CALIFORNIA REGIONAL WATER QUALITY CONTROL BOARD

CENTRAL VALLEY REGION
11020 SUN CENTER DR #200
RANCHO CORDOVA CA 95670-6114

2023 ANNUAL REPORT

PREPARED FOR:

AZEVEDO DAIRY #3

227 W EL NIDO RD

EL NIDO CA 95317

NOTES:

PREPARED BY:

CAS
CARDOSO AG SERVICES

PO BOX 906
NEWMAN CA 95360

Annual Report - General Order No. R5-2007-0035
Reporting period 01/01/2023 to 12/31/2023.

DAIRY FACILITY INFORMATION

A. NAME OF DAIRY OR BUSINESS OPERATING THE DAIRY: Azevedo Dairy #3

Physical address of dairy:

Number and Street	City	County	Zip Code
227 W El Nido RD	El Nido	Merced	95317

Street and nearest cross street (if no address):

Date facility was originally placed in operation: 01/01/1950

Regional Water Quality Control Board Basin Plan designation: San Joaquin River Basin

County Assessor Parcel Number(s) for dairy facility:

X074-X110-X035-XXXX

B. OPERATORS

Azevedo, Antonio

Operator name: Azevedo, Antonio

Telephone no.: Landline: ; Cellular: (209) 564-7596

Mailing Address Number and Street	City	State	Zip Code
2025 W El Nido Rd	El Nido	CA	95317

This operator is responsible for paying permit fees.

C. OWNERS

Giampadraglia, Arturo & Margherita

Legal owner name: Giampadraglia, Arturo & Margherita

Telephone no.: Landline: (209) 722-1049; Cellular:

Mailing Address Number and Street	City	State	Zip Code
1021 El Nido RD	El Nido	CA	95317

Annual Report - General Order No. R5-2007-0035
Reporting period 01/01/2023 to 12/31/2023.

AVAILABLE NUTRIENTS

A. HERD INFORMATION

	Milk Cows	Dry Cows	Bred Heifers (15-24 mo.)	Heifers (7-14 mo. to breeding)	Calves (4-6 mo.)	Calves (0-3 mo.)
Number open confinement	0	0	0	0	0	0
Number under roof	515	0	500	0	0	0
Maximum number	515	0	500	0	0	0
Average number	515	0	500	0	0	0
Avg live weight (lbs)	1,200	0	875	0		

Predominant milk cow breed: Jersey-Holstein Cross

Average milk production: 66 *pounds per cow per day*

B. MANURE GENERATED

Total manure excreted by the herd: 17,988.75 *tons per reporting period*

Total nitrogen from manure: 217,009.76 *lbs per reporting period*

After ammonia losses (30% loss applied): 151,906.83 *lbs per reporting period*

Total phosphorus from manure: 36,689.37 *lbs per reporting period*

Total potassium from manure: 97,273.83 *lbs per reporting period*

Total salt from manure: 242,487.75 *lbs per reporting period*

C. PROCESS WASTEWATER GENERATED

Process wastewater generated: 15,874,373 *gallons*

Total nitrogen generated: 71,945.31 *lbs*

Total phosphorus generated: 11,985.28 *lbs*

Total potassium generated: 43,725.85 *lbs*

Total salt generated: 228,259.31 *lbs*

	15,874,373	*gallons applied*
+	0	*gallons exported*
-	0	*gallons imported*
=	15,874,373	*gallons generated*

D. FRESH WATER SOURCES

Source Description	Type
Canal	Surface water
Domestic Well	Ground water
Irrigation Well	Ground water

E. SUBSURFACE (TILE) DRAINAGE SOURCES

No subsurface (tile) drainage sources entered.

F. NUTRIENT IMPORTS

No dry manure nutrient imports entered.

No process wastewater nutrient imports entered.

No commercial or other nutrient imports entered.

G. NUTRIENT EXPORTS

No solid nutrient exports entered.

No liquid nutrient exports entered.

APPLICATION AREA

A. LIST OF LAND APPLICATION AREAS

Field name	Controlled acres	Cropable acres	Total harvests	Type of waste applied	Parcel number
Field 1	78	78	0	none	X074-X110-X050-XXXX
Field 2	79	79	0	none	X074-X110-X051-XXXX
Field 3	77	77	0	none	X074-X110-X030-XXXX
Field 4	82	82	0	none	X074-X110-X034-XXXX
Field 5	80	80	2	both	X074-X110-X035-XXXX
Field 6	10	10	2	process wastewater	X074-X110-X035-XXXX
Field 7	35	35	2	process wastewater	X074-X110-X035-XXXX
Field 7B	19	19	2	process wastewater	X074-X110-X035-XXXX
Field 8	64	64	2	process wastewater	X074-X110-X035-XXXX
Totals for areas that were used for application	208	208	10		
Totals for areas that were not used for application	316	316	0		
Land application area totals	524	524	10		

B. CROPS AND HARVESTS

Field 5

Field name: Field 5

10/08/2022: Oats, silage-soft dough

Crop: Oats, silage-soft dough Acres planted: 80 Plant date: 10/08/2022

Harvest date	Yield	Reporting basis	Density (lbs/cu ft)	Moisture (%)	N (mg/kg)	P (mg/kg)	K (mg/kg)	Salt (mg/kg)	TFS (%)
04/13/2023	1,416.00 *ton*	Dry-weight		82.2	27,600.00	3,800.00	41,100.00		12.40

	Yield (tons/acre)	Total N (lbs/acre)	Total P (lbs/acre)	Total K (lbs/acre)	Salt (lbs/acre)
Anticipated harvest content	16.00	160.00	25.60	132.80	0.00
Total actual harvest content	17.70	173.91	23.94	258.98	781.35

Field 5

05/22/2023: Sudangrass, silage

Crop: Sudangrass, silage Acres planted: 80 Plant date: 05/22/2023

Harvest date	Yield	Reporting basis	Density (lbs/cu ft)	Moisture (%)	N (mg/kg)	P (mg/kg)	K (mg/kg)	Salt (mg/kg)	TFS (%)
09/16/2023	1,440.00 *ton*	Dry-weight		84.6	27,800.00	3,800.00	52,300.00		14.60

	Yield (tons/acre)	Total N (lbs/acre)	Total P (lbs/acre)	Total K (lbs/acre)	Salt (lbs/acre)
Anticipated harvest content	8.00	88.00	13.60	96.00	0.00
Total actual harvest content	18.00	154.12	21.07	289.95	809.42

Field 6

Field name: Field 6

10/27/2022: Oats, silage-soft dough

Crop: Oats, silage-soft dough Acres planted: 10 Plant date: 10/27/2022

Harvest date	Yield	Reporting basis	Density (lbs/cu ft)	Moisture (%)	N (mg/kg)	P (mg/kg)	K (mg/kg)	Salt (mg/kg)	TFS (%)
05/24/2023	150.00 *ton*	Dry-weight		70.4	20,700.00	2,800.00	16,500.00		7.90

	Yield (tons/acre)	Total N (lbs/acre)	Total P (lbs/acre)	Total K (lbs/acre)	Salt (lbs/acre)
Anticipated harvest content	16.00	160.00	25.60	132.80	0.00
Total actual harvest content	15.00	183.82	24.86	146.52	701.52

06/10/2023: Sudangrass, silage

Crop: Sudangrass, silage Acres planted: 10 Plant date: 06/10/2023

Harvest date	Yield	Reporting basis	Density (lbs/cu ft)	Moisture (%)	N (mg/kg)	P (mg/kg)	K (mg/kg)	Salt (mg/kg)	TFS (%)
09/16/2023	180.00 *ton*	Dry-weight		84.6	27,800.00	3,800.00	52,300.00		14.60

	Yield (tons/acre)	Total N (lbs/acre)	Total P (lbs/acre)	Total K (lbs/acre)	Salt (lbs/acre)
Anticipated harvest content	8.00	88.00	13.60	96.00	0.00
Total actual harvest content	18.00	154.12	21.07	289.95	809.42

Field 7

Field name: Field 7

10/10/2022: Oats, silage-soft dough

Crop: Oats, silage-soft dough Acres planted: 35 Plant date: 10/10/2022

Harvest date	Yield	Reporting basis	Density (lbs/cu ft)	Moisture (%)	N (mg/kg)	P (mg/kg)	K (mg/kg)	Salt (mg/kg)	TFS (%)
04/13/2023	609.00 *ton*	Dry-weight		79.1	15,800.00	3,700.00	31,500.00		11.20

	Yield (tons/acre)	Total N (lbs/acre)	Total P (lbs/acre)	Total K (lbs/acre)	Salt (lbs/acre)
Anticipated harvest content	16.00	160.00	25.60	132.80	0.00
Total actual harvest content	17.40	114.92	26.91	229.11	814.60

05/23/2023: Sudangrass, silage

Crop: Sudangrass, silage Acres planted: 35 Plant date: 05/23/2023

Harvest date	Yield	Reporting basis	Density (lbs/cu ft)	Moisture (%)	N (mg/kg)	P (mg/kg)	K (mg/kg)	Salt (mg/kg)	TFS (%)
09/06/2023	650.00 *ton*	Dry-weight		69.4	18,600.00	3,200.00	24,500.00		12.20

	Yield (tons/acre)	Total N (lbs/acre)	Total P (lbs/acre)	Total K (lbs/acre)	Salt (lbs/acre)
Anticipated harvest content	8.00	88.00	13.60	96.00	0.00
Total actual harvest content	18.57	211.40	36.37	278.46	1,386.62

Field 7B

Field name: Field 7B

10/10/2022: Oats, silage-soft dough

Crop: Oats, silage-soft dough Acres planted: 19 Plant date: 10/10/2022

Harvest date	Yield	Reporting basis	Density (lbs/cu ft)	Moisture (%)	N (mg/kg)	P (mg/kg)	K (mg/kg)	Salt (mg/kg)	TFS (%)
04/13/2023	331.00 *ton*	Dry-weight		79.1	15,800.00	3,700.00	31,500.00		11.20

	Yield (tons/acre)	Total N (lbs/acre)	Total P (lbs/acre)	Total K (lbs/acre)	Salt (lbs/acre)
Anticipated harvest content	16.00	160.00	25.60	132.80	0.00
Total actual harvest content	17.42	115.06	26.94	229.38	815.58

Field 7B

05/28/2023: Corn, silage

Crop: Corn, silage Acres planted: 19 Plant date: 05/28/2023

Harvest date	Yield	Reporting basis	Density (lbs/cu ft)	Moisture (%)	N (mg/kg)	P (mg/kg)	K (mg/kg)	Salt (mg/kg)	TFS (%)
09/06/2023	513.00 *ton*	Dry-weight		66.6	14,100.00	2,700.00	11,400.00		7.00

	Yield (tons/acre)	Total N (lbs/acre)	Total P (lbs/acre)	Total K (lbs/acre)	Salt (lbs/acre)
Anticipated harvest content	30.00	240.00	45.00	198.00	0.00
Total actual harvest content	27.00	254.31	48.70	205.61	1,262.52

Field 8

Field name: Field 8

10/27/2022: Oats, silage-soft dough

Crop: Oats, silage-soft dough Acres planted: 64 Plant date: 10/27/2022

Harvest date	Yield	Reporting basis	Density (lbs/cu ft)	Moisture (%)	N (mg/kg)	P (mg/kg)	K (mg/kg)	Salt (mg/kg)	TFS (%)
04/13/2023	1,043.00 *ton*	Dry-weight		72.9	9,300.00	2,300.00	18,000.00		6.50

	Yield (tons/acre)	Total N (lbs/acre)	Total P (lbs/acre)	Total K (lbs/acre)	Salt (lbs/acre)
Anticipated harvest content	16.00	160.00	25.60	132.80	0.00
Total actual harvest content	16.30	82.15	20.32	158.99	574.14

05/28/2023: Corn, silage

Crop: Corn, silage Acres planted: 64 Plant date: 05/28/2023

Harvest date	Yield	Reporting basis	Density (lbs/cu ft)	Moisture (%)	N (mg/kg)	P (mg/kg)	K (mg/kg)	Salt (mg/kg)	TFS (%)
09/06/2023	1,664.00 *ton*	Dry-weight		62.5	14,100.00	2,900.00	10,600.00		6.40

	Yield (tons/acre)	Total N (lbs/acre)	Total P (lbs/acre)	Total K (lbs/acre)	Salt (lbs/acre)
Anticipated harvest content	30.00	240.00	45.00	198.00	0.00
Total actual harvest content	26.00	274.95	56.55	206.70	1,248.00

NUTRIENT BUDGET

A. LAND APPLICATIONS

Field 5 - 10/08/2022: Oats, silage-soft dough

Field name: Field 5

Crop: Oats, silage-soft dough — Plant date: 10/08/2022

Application date	Application method	Precipitation 24 hours prior	Precipitation during application	Precipitation 24 hours following
10/16/2022	Surface (irrigation)	No precipitation	No precipitation	No precipitation

Source description	Material type	N (lbs/acre)	P (lbs/acre)	K (lbs/acre)	Salt (lbs/acre)	Amount
Lagoon	Process wastewater	90.98	16.31	75.26	534.00	2,160,000.00 *gal*
Irrigation Well	Ground water	2.41	0.00	0.00	0.00	13,104,000.00 *gal*
Application event totals		93.39	16.31	75.26	534.00	

Application date	Application method	Precipitation 24 hours prior	Precipitation during application	Precipitation 24 hours following
02/25/2023	Surface (irrigation)	No precipitation	No precipitation	No precipitation

Source description	Material type	N (lbs/acre)	P (lbs/acre)	K (lbs/acre)	Salt (lbs/acre)	Amount
Lagoon	Process wastewater	73.83	15.62	60.08	330.46	1,440,000.00 *gal*
Irrigation Well	Ground water	2.54	0.00	0.00	0.00	13,824,000.00 *gal*
Application event totals		76.37	15.62	60.08	330.46	

Application date	Application method	Precipitation 24 hours prior	Precipitation during application	Precipitation 24 hours following
03/12/2023	Surface (irrigation)	No precipitation	No precipitation	No precipitation

Source description	Material type	N (lbs/acre)	P (lbs/acre)	K (lbs/acre)	Salt (lbs/acre)	Amount
Lagoon	Process wastewater	59.06	12.50	48.07	264.37	1,152,000.00 *gal*
Irrigation Well	Ground water	2.54	0.00	0.00	0.00	13,824,000.00 *gal*
Application event totals		61.60	12.50	48.07	264.37	

Field 5 - 05/22/2023: Sudangrass, silage

Field name: Field 5

Crop: Sudangrass, silage — Plant date: 05/22/2023

Application date	Application method	Precipitation 24 hours prior	Precipitation during application	Precipitation 24 hours following

Field 5 - 05/22/2023: Sudangrass, silage

Application date	Application method	Precipitation 24 hours prior	Precipitation during application	Precipitation 24 hours following
05/06/2023	Surface (irrigation)	No precipitation	No precipitation	No precipitation

Source description	Material type	N (lbs/acre)	P (lbs/acre)	K (lbs/acre)	Salt (lbs/acre)	Amount
Irrigation Well	Ground water	2.54	0.00	0.00	0.00	13,824,000.00 *gal*
Canal	Surface water	0.31	0.00	0.00	8.65	2,963,183.00 *gal*
Application event totals		2.85	0.00	0.00	8.65	

05/15/2023	Broadcast/incorporate	No precipitation	No precipitation	No precipitation

Source description	Material type	N (lbs/acre)	P (lbs/acre)	K (lbs/acre)	Salt (lbs/acre)	Amount
Manure	Corral solids	116.96	38.66	168.19	0.00	720.00 *ton*
Application event totals		116.96	38.66	168.19	0.00	

06/13/2023	Surface (irrigation)	No precipitation	No precipitation	No precipitation

Source description	Material type	N (lbs/acre)	P (lbs/acre)	K (lbs/acre)	Salt (lbs/acre)	Amount
Irrigation Well	Ground water	1.80	0.00	0.00	0.00	9,792,000.00 *gal*
Canal	Surface water	0.71	0.00	0.00	19.96	6,835,126.00 *gal*
Application event totals		2.51	0.00	0.00	19.96	

07/17/2023	Surface (irrigation)	No precipitation	No precipitation	No precipitation

Source description	Material type	N (lbs/acre)	P (lbs/acre)	K (lbs/acre)	Salt (lbs/acre)	Amount
Lagoon	Process wastewater	29.82	9.45	54.23	296.81	2,736,000.00 *gal*
Irrigation Well	Ground water	1.80	0.00	0.00	0.00	9,792,000.00 *gal*
Canal	Surface water	0.71	0.00	0.00	19.76	6,765,158.00 *gal*
Application event totals		32.33	9.45	54.23	316.57	

07/31/2023	Shank	No precipitation	No precipitation	No precipitation

Source description	Material type	N (lbs/acre)	P (lbs/acre)	K (lbs/acre)	Salt (lbs/acre)	Amount
Irrigation Well	Ground water	2.19	0.00	0.00	0.00	11,952,000.00 *gal*
Canal	Surface water	0.50	0.00	0.00	14.01	4,798,251.00 *gal*
Application event totals		2.69	0.00	0.00	14.01	

Field 5 - 05/22/2023: Sudangrass, silage

Application date	Application method	Precipitation 24 hours prior	Precipitation during application	Precipitation 24 hours following
08/06/2023	Surface (irrigation)	No precipitation	No precipitation	No precipitation

Source description	Material type	N (lbs/acre)	P (lbs/acre)	K (lbs/acre)	Salt (lbs/acre)	Amount
Lagoon	Process wastewater	28.25	8.95	51.37	281.19	2,592,000.00 *gal*
Irrigation Well	Ground water	2.54	0.00	0.00	0.00	13,824,000.00 *gal*
Canal	Surface water	0.25	0.00	0.00	6.98	2,390,351.00 *gal*
Application event totals		31.04	8.95	51.37	288.17	

08/22/2023	Surface (irrigation)	No precipitation	No precipitation	No precipitation

Source description	Material type	N (lbs/acre)	P (lbs/acre)	K (lbs/acre)	Salt (lbs/acre)	Amount
Irrigation Well	Ground water	1.80	0.00	0.00	0.00	9,792,000.00 *gal*
Canal	Surface water	0.53	0.00	0.00	14.84	5,080,280.00 *gal*
Application event totals		2.33	0.00	0.00	14.84	

Field 6 - 10/27/2022: Oats, silage-soft dough

Field name: Field 6

Crop: Oats, silage-soft dough

Plant date: 10/27/2022

Application date	Application method	Precipitation 24 hours prior	Precipitation during application	Precipitation 24 hours following
10/16/2022	Surface (irrigation)	No precipitation	No precipitation	No precipitation

Source description	Material type	N (lbs/acre)	P (lbs/acre)	K (lbs/acre)	Salt (lbs/acre)	Amount
Lagoon	Process wastewater	90.98	16.31	75.26	534.00	270,000.00 *gal*
Irrigation Well	Ground water	2.41	0.00	0.00	0.00	1,638,000.00 *gal*
Application event totals		93.39	16.31	75.26	534.00	

02/25/2023	Surface (irrigation)	No precipitation	No precipitation	No precipitation

Source description	Material type	N (lbs/acre)	P (lbs/acre)	K (lbs/acre)	Salt (lbs/acre)	Amount
Lagoon	Process wastewater	73.83	15.62	60.08	330.46	180,000.00 *gal*
Irrigation Well	Ground water	2.54	0.00	0.00	0.00	1,728,000.00 *gal*
Application event totals		76.37	15.62	60.08	330.46	

Field 6 - 10/27/2022: Oats, silage-soft dough

Application date	Application method	Precipitation 24 hours prior	Precipitation during application	Precipitation 24 hours following
03/12/2023	Surface (irrigation)	No precipitation	No precipitation	No precipitation

Source description	Material type	N (lbs/acre)	P (lbs/acre)	K (lbs/acre)	Salt (lbs/acre)	Amount
Lagoon	Process wastewater	59.06	12.50	48.07	264.37	144,000.00 *gal*
Irrigation Well	Ground water	2.54	0.00	0.00	0.00	1,728,000.00 *gal*
Application event totals		61.60	12.50	48.07	264.37	

Field 6 - 06/10/2023: Sudangrass, silage

Field name: Field 6

Crop: Sudangrass, silage

Plant date: 06/10/2023

Application date	Application method	Precipitation 24 hours prior	Precipitation during application	Precipitation 24 hours following
05/06/2023	Surface (irrigation)	No precipitation	No precipitation	No precipitation

Source description	Material type	N (lbs/acre)	P (lbs/acre)	K (lbs/acre)	Salt (lbs/acre)	Amount
Lagoon	Process wastewater sludge	137.31	15.06	29.04	48.82	50,000.00 *gal*
Irrigation Well	Ground water	2.54	0.00	0.00	0.00	1,728,000.00 *gal*
Canal	Surface water	0.31	0.00	0.00	8.65	370,398.00 *gal*
Application event totals		140.16	15.06	29.04	57.47	

Application date	Application method	Precipitation 24 hours prior	Precipitation during application	Precipitation 24 hours following
06/13/2023	Surface (irrigation)	No precipitation	No precipitation	No precipitation

Source description	Material type	N (lbs/acre)	P (lbs/acre)	K (lbs/acre)	Salt (lbs/acre)	Amount
Irrigation Well	Ground water	1.80	0.00	0.00	0.00	1,224,000.00 *gal*
Canal	Surface water	0.71	0.00	0.00	19.96	854,391.00 *gal*
Application event totals		2.51	0.00	0.00	19.96	

Application date	Application method	Precipitation 24 hours prior	Precipitation during application	Precipitation 24 hours following
07/17/2023	Surface (irrigation)	No precipitation	No precipitation	No precipitation

Source description	Material type	N (lbs/acre)	P (lbs/acre)	K (lbs/acre)	Salt (lbs/acre)	Amount
Irrigation Well	Ground water	1.80	0.00	0.00	0.00	1,224,000.00 *gal*
Canal	Surface water	0.70	0.00	0.00	19.73	844,520.00 *gal*
Application event totals		2.50	0.00	0.00	19.73	

Field 6 - 06/10/2023: Sudangrass, silage

Application date	Application method	Precipitation 24 hours prior	Precipitation during application	Precipitation 24 hours following
07/31/2023	Surface (irrigation)	No precipitation	No precipitation	No precipitation

Source description	Material type	N (lbs/acre)	P (lbs/acre)	K (lbs/acre)	Salt (lbs/acre)	Amount
Lagoon	Process wastewater	25.12	7.96	45.66	249.95	288,000.00 *gal*
Irrigation Well	Ground water	2.19	0.00	0.00	0.00	1,494,000.00 *gal*
Canal	Surface water	0.50	0.00	0.00	14.01	599,781.00 *gal*
Application event totals		27.81	7.96	45.66	263.96	

08/06/2023	Surface (irrigation)	No precipitation	No precipitation	No precipitation

Source description	Material type	N (lbs/acre)	P (lbs/acre)	K (lbs/acre)	Salt (lbs/acre)	Amount
Lagoon	Process wastewater	28.25	8.95	51.37	281.19	324,000.00 *gal*
Irrigation Well	Ground water	2.54	0.00	0.00	0.00	1,728,000.00 *gal*
Canal	Surface water	0.25	0.00	0.00	6.98	298,794.00 *gal*
Application event totals		31.04	8.95	51.37	288.17	

08/22/2023	Surface (irrigation)	No precipitation	No precipitation	No precipitation

Source description	Material type	N (lbs/acre)	P (lbs/acre)	K (lbs/acre)	Salt (lbs/acre)	Amount
Irrigation Well	Ground water	1.80	0.00	0.00	0.00	1,224,000.00 *gal*
Canal	Surface water	0.53	0.00	0.00	14.84	635,035.00 *gal*
Application event totals		2.33	0.00	0.00	14.84	

Field 7 - 10/10/2022: Oats, silage-soft dough

Field name: Field 7

Crop: Oats, silage-soft dough

Plant date: 10/10/2022

Application date	Application method	Precipitation 24 hours prior	Precipitation during application	Precipitation 24 hours following
10/16/2022	Surface (irrigation)	No precipitation	No precipitation	No precipitation

Source description	Material type	N (lbs/acre)	P (lbs/acre)	K (lbs/acre)	Salt (lbs/acre)	Amount
Lagoon	Process wastewater	64.64	11.59	53.47	379.41	671,429.00 *gal*
Irrigation Well	Ground water	2.39	0.00	0.00	0.00	5,697,391.00 *gal*
Application event totals		67.03	11.59	53.47	379.41	

Field 7 - 10/10/2022: Oats, silage-soft dough

Application date	Application method	Precipitation 24 hours prior	Precipitation during application	Precipitation 24 hours following
02/25/2023	Surface (irrigation)	No precipitation	No precipitation	No precipitation

Source description	Material type	N (lbs/acre)	P (lbs/acre)	K (lbs/acre)	Salt (lbs/acre)	Amount
Lagoon	Process wastewater	73.37	15.52	59.71	328.41	626,087.00 *gal*
Irrigation Well	Ground water	2.52	0.00	0.00	0.00	6,010,435.00 *gal*
Application event totals		75.89	15.52	59.71	328.41	

Application date	Application method	Precipitation 24 hours prior	Precipitation during application	Precipitation 24 hours following
03/12/2023	Surface (irrigation)	No precipitation	No precipitation	No precipitation

Source description	Material type	N (lbs/acre)	P (lbs/acre)	K (lbs/acre)	Salt (lbs/acre)	Amount
Irrigation Well	Ground water	2.52	0.00	0.00	0.00	6,010,435.00 *gal*
Application event totals		2.52	0.00	0.00	0.00	

Field 7 - 05/23/2023: Sudangrass, silage

Field name: Field 7

Crop: Sudangrass, silage

Plant date: 05/23/2023

Application date	Application method	Precipitation 24 hours prior	Precipitation during application	Precipitation 24 hours following
05/06/2023	Surface (irrigation)	No precipitation	No precipitation	No precipitation

Source description	Material type	N (lbs/acre)	P (lbs/acre)	K (lbs/acre)	Salt (lbs/acre)	Amount
Irrigation Well	Ground water	2.52	0.00	0.00	0.00	6,010,435.00 *gal*
Canal	Surface water	0.31	0.00	0.00	8.65	1,296,393.00 *gal*
Application event totals		2.83	0.00	0.00	8.65	

Application date	Application method	Precipitation 24 hours prior	Precipitation during application	Precipitation 24 hours following
05/10/2023	Towed tank	No precipitation	No precipitation	No precipitation

Source description	Material type	N (lbs/acre)	P (lbs/acre)	K (lbs/acre)	Salt (lbs/acre)	Amount
Slurry	Process wastewater sludge	266.77	29.26	56.42	94.85	340,000.00 *gal*
Application event totals		266.77	29.26	56.42	94.85	

Field 7 - 05/23/2023: Sudangrass, silage

Application date	Application method	Precipitation 24 hours prior	Precipitation during application	Precipitation 24 hours following
06/13/2023	Surface (irrigation)	No precipitation	No precipitation	No precipitation

Source description	Material type	N (lbs/acre)	P (lbs/acre)	K (lbs/acre)	Salt (lbs/acre)	Amount
Irrigation Well	Ground water	1.79	0.00	0.00	0.00	4,257,391.00 *gal*
Canal	Surface water	0.71	0.00	0.00	19.96	2,990,368.00 *gal*
Application event totals		2.50	0.00	0.00	19.96	

Application date	Application method	Precipitation 24 hours prior	Precipitation during application	Precipitation 24 hours following
07/17/2023	Surface (irrigation)	No precipitation	No precipitation	No precipitation

Source description	Material type	N (lbs/acre)	P (lbs/acre)	K (lbs/acre)	Salt (lbs/acre)	Amount
Irrigation Well	Ground water	1.79	0.00	0.00	0.00	4,257,391.00 *gal*
Canal	Surface water	0.70	0.00	0.00	19.73	2,955,819.00 *gal*
Application event totals		2.49	0.00	0.00	19.73	

Application date	Application method	Precipitation 24 hours prior	Precipitation during application	Precipitation 24 hours following
07/31/2023	Surface (irrigation)	No precipitation	No precipitation	No precipitation

Source description	Material type	N (lbs/acre)	P (lbs/acre)	K (lbs/acre)	Salt (lbs/acre)	Amount
Irrigation Well	Ground water	2.18	0.00	0.00	0.00	5,196,522.00 *gal*
Canal	Surface water	0.50	0.00	0.00	14.01	2,099,235.00 *gal*
Application event totals		2.68	0.00	0.00	14.01	

Application date	Application method	Precipitation 24 hours prior	Precipitation during application	Precipitation 24 hours following
08/06/2023	Surface (irrigation)	No precipitation	No precipitation	No precipitation

Source description	Material type	N (lbs/acre)	P (lbs/acre)	K (lbs/acre)	Salt (lbs/acre)	Amount
Irrigation Well	Ground water	2.52	0.00	0.00	0.00	6,010,435.00 *gal*
Canal	Surface water	0.25	0.00	0.00	6.98	1,045,779.00 *gal*
Application event totals		2.77	0.00	0.00	6.98	

Application date	Application method	Precipitation 24 hours prior	Precipitation during application	Precipitation 24 hours following
08/22/2023	Surface (irrigation)	No precipitation	No precipitation	No precipitation

Source description	Material type	N (lbs/acre)	P (lbs/acre)	K (lbs/acre)	Salt (lbs/acre)	Amount
Irrigation Well	Ground water	1.79	0.00	0.00	0.00	4,257,391.00 *gal*
Canal	Surface water	0.53	0.00	0.00	14.84	2,222,622.00 *gal*
Application event totals		2.32	0.00	0.00	14.84	

Field 7B - 10/10/2022: Oats, silage-soft dough

Field 7B - 10/10/2022: Oats, silage-soft dough

Field name: Field 7B

Crop: Oats, silage-soft dough

Plant date: 10/10/2022

Application date	Application method	Precipitation 24 hours prior	Precipitation during application	Precipitation 24 hours following
10/16/2022	Surface (irrigation)	No precipitation	No precipitation	No precipitation

Source description	Material type	N (lbs/acre)	P (lbs/acre)	K (lbs/acre)	Salt (lbs/acre)	Amount
Lagoon	Process wastewater	51.08	9.16	42.25	299.79	288,000.00 *gal*
Irrigation Well	Ground water	2.41	0.00	0.00	0.00	3,120,000.00 *gal*
Application event totals		53.49	9.16	42.25	299.79	

Application date	Application method	Precipitation 24 hours prior	Precipitation during application	Precipitation 24 hours following
02/25/2023	Surface (irrigation)	No precipitation	No precipitation	No precipitation

Source description	Material type	N (lbs/acre)	P (lbs/acre)	K (lbs/acre)	Salt (lbs/acre)	Amount
Lagoon	Process wastewater	74.01	15.66	60.23	331.29	342,857.00 *gal*
Irrigation Well	Ground water	2.54	0.00	0.00	0.00	3,291,429.00 *gal*
Application event totals		76.56	15.66	60.23	331.29	

Application date	Application method	Precipitation 24 hours prior	Precipitation during application	Precipitation 24 hours following
03/12/2023	Surface (irrigation)	No precipitation	No precipitation	No precipitation

Source description	Material type	N (lbs/acre)	P (lbs/acre)	K (lbs/acre)	Salt (lbs/acre)	Amount
Irrigation Well	Ground water	2.54	0.00	0.00	0.00	3,291,429.00 *gal*
Application event totals		2.54	0.00	0.00	0.00	

Field 7B - 05/28/2023: Corn, silage

Field name: Field 7B

Crop: Corn, silage

Plant date: 05/28/2023

Application date	Application method	Precipitation 24 hours prior	Precipitation during application	Precipitation 24 hours following
05/06/2023	Surface (irrigation)	No precipitation	No precipitation	No precipitation

Source description	Material type	N (lbs/acre)	P (lbs/acre)	K (lbs/acre)	Salt (lbs/acre)	Amount
Irrigation Well	Ground water	2.54	0.00	0.00	0.00	3,291,429.00 *gal*
Canal	Surface water	0.31	0.00	0.00	8.65	703,756.00 *gal*
Application event totals		2.85	0.00	0.00	8.65	

Field 7B - 05/28/2023: Corn, silage

Application date	Application method	Precipitation 24 hours prior	Precipitation during application	Precipitation 24 hours following
05/10/2023	Towed tank	No precipitation	No precipitation	No precipitation

Source description	Material type	N (lbs/acre)	P (lbs/acre)	K (lbs/acre)	Salt (lbs/acre)	Amount
Slurry	Process wastewater sludge	274.62	30.13	58.08	97.64	190,000.00 *gal*
Application event totals		274.62	30.13	58.08	97.64	

06/13/2023	Surface (irrigation)	No precipitation	No precipitation	No precipitation

Source description	Material type	N (lbs/acre)	P (lbs/acre)	K (lbs/acre)	Salt (lbs/acre)	Amount
Irrigation Well	Ground water	2.52	0.00	0.00	0.00	3,264,000.00 *gal*
Canal	Surface water	0.71	0.00	0.00	19.96	1,623,342.00 *gal*
Application event totals		3.24	0.00	0.00	19.96	

07/17/2023	Surface (irrigation)	No precipitation	No precipitation	No precipitation

Source description	Material type	N (lbs/acre)	P (lbs/acre)	K (lbs/acre)	Salt (lbs/acre)	Amount
Irrigation Well	Ground water	2.52	0.00	0.00	0.00	3,264,000.00 *gal*
Canal	Surface water	0.70	0.00	0.00	19.73	1,604,587.00 *gal*
Application event totals		3.23	0.00	0.00	19.73	

07/31/2023	Surface (irrigation)	No precipitation	No precipitation	No precipitation

Source description	Material type	N (lbs/acre)	P (lbs/acre)	K (lbs/acre)	Salt (lbs/acre)	Amount
Irrigation Well	Ground water	2.20	0.00	0.00	0.00	2,845,714.00 *gal*
Canal	Surface water	0.50	0.00	0.00	14.01	1,139,585.00 *gal*
Application event totals		2.70	0.00	0.00	14.01	

08/06/2023	Surface (irrigation)	No precipitation	No precipitation	No precipitation

Source description	Material type	N (lbs/acre)	P (lbs/acre)	K (lbs/acre)	Salt (lbs/acre)	Amount
Irrigation Well	Ground water	2.54	0.00	0.00	0.00	3,291,429.00 *gal*
Canal	Surface water	0.25	0.00	0.00	6.98	567,708.00 *gal*
Application event totals		2.79	0.00	0.00	6.98	

Field 7B - 05/28/2023: Corn, silage

Application date	Application method	Precipitation 24 hours prior	Precipitation during application	Precipitation 24 hours following
08/22/2023	Surface (irrigation)	No precipitation	No precipitation	No precipitation

Source description	Material type	N (lbs/acre)	P (lbs/acre)	K (lbs/acre)	Salt (lbs/acre)	Amount
Irrigation Well	Ground water	1.80	0.00	0.00	0.00	2,331,429.00 *gal*
Canal	Surface water	0.53	0.00	0.00	14.84	1,206,566.00 *gal*
Application event totals		2.33	0.00	0.00	14.84	

Field 8 - 10/27/2022: Oats, silage-soft dough

Field name: Field 8

Crop: Oats, silage-soft dough

Plant date: 10/27/2022

Application date	Application method	Precipitation 24 hours prior	Precipitation during application	Precipitation 24 hours following
10/16/2022	Surface (irrigation)	No precipitation	No precipitation	No precipitation

Source description	Material type	N (lbs/acre)	P (lbs/acre)	K (lbs/acre)	Salt (lbs/acre)	Amount
Irrigation Well	Ground water	3.69	0.00	0.00	0.00	10,483,200.00 *gal*
Application event totals		3.69	0.00	0.00	0.00	

Application date	Application method	Precipitation 24 hours prior	Precipitation during application	Precipitation 24 hours following
02/25/2023	Surface (irrigation)	No precipitation	No precipitation	No precipitation

Source description	Material type	N (lbs/acre)	P (lbs/acre)	K (lbs/acre)	Salt (lbs/acre)	Amount
Irrigation Well	Ground water	3.89	0.00	0.00	0.00	11,059,200.00 *gal*
Application event totals		3.89	0.00	0.00	0.00	

Application date	Application method	Precipitation 24 hours prior	Precipitation during application	Precipitation 24 hours following
03/12/2023	Surface (irrigation)	No precipitation	No precipitation	No precipitation

Source description	Material type	N (lbs/acre)	P (lbs/acre)	K (lbs/acre)	Salt (lbs/acre)	Amount
Lagoon	Process wastewater	92.29	19.53	75.11	413.08	1,440,000.00 *gal*
Irrigation Well	Ground water	3.89	0.00	0.00	0.00	11,059,200.00 *gal*
Application event totals		96.18	19.53	75.11	413.08	

Field 8 - 05/28/2023: Corn, silage

Field 8 - 05/28/2023: Corn, silage

Field name: Field 8

Crop: Corn, silage

Plant date: 05/28/2023

Application date	Application method	Precipitation 24 hours prior	Precipitation during application	Precipitation 24 hours following
05/06/2023	Surface (irrigation)	No precipitation	No precipitation	No precipitation

Source description	Material type	N (lbs/acre)	P (lbs/acre)	K (lbs/acre)	Salt (lbs/acre)	Amount
Irrigation Well	Ground water	3.89	0.00	0.00	0.00	11,059,200.00 *gal*
Canal	Surface water	0.31	0.00	0.00	8.65	2,370,546.00 *gal*
Application event totals		4.20	0.00	0.00	8.65	

05/10/2023	Towed tank	No precipitation	No precipitation	No precipitation

Source description	Material type	N (lbs/acre)	P (lbs/acre)	K (lbs/acre)	Salt (lbs/acre)	Amount
Slurry	Process wastewater sludge	274.62	30.13	58.08	97.64	640,000.00 *gal*
Application event totals		274.62	30.13	58.08	97.64	

06/13/2023	Surface (irrigation)	No precipitation	No precipitation	No precipitation

Source description	Material type	N (lbs/acre)	P (lbs/acre)	K (lbs/acre)	Salt (lbs/acre)	Amount
Irrigation Well	Ground water	2.76	0.00	0.00	0.00	7,833,600.00 *gal*
Canal	Surface water	0.71	0.00	0.00	19.96	5,468,101.00 *gal*
Application event totals		3.47	0.00	0.00	19.96	

07/17/2023	Surface (irrigation)	No precipitation	No precipitation	No precipitation

Source description	Material type	N (lbs/acre)	P (lbs/acre)	K (lbs/acre)	Salt (lbs/acre)	Amount
Irrigation Well	Ground water	2.76	0.00	0.00	0.00	7,833,600.00 *gal*
Canal	Surface water	0.70	0.00	0.00	19.73	5,404,926.00 *gal*
Application event totals		3.46	0.00	0.00	19.73	

07/31/2023	Surface (irrigation)	No precipitation	No precipitation	No precipitation

Source description	Material type	N (lbs/acre)	P (lbs/acre)	K (lbs/acre)	Salt (lbs/acre)	Amount
Irrigation Well	Ground water	3.37	0.00	0.00	0.00	9,561,600.00 *gal*
Canal	Surface water	0.50	0.00	0.00	14.01	3,838,601.00 *gal*
Application event totals		3.87	0.00	0.00	14.01	

Field 8 - 05/28/2023: Corn, silage

Application date	Application method	Precipitation 24 hours prior	Precipitation during application	Precipitation 24 hours following
08/06/2023	Surface (irrigation)	No precipitation	No precipitation	No precipitation

Source description	Material type	N (lbs/acre)	P (lbs/acre)	K (lbs/acre)	Salt (lbs/acre)	Amount
Irrigation Well	Ground water	3.89	0.00	0.00	0.00	11,059,200.00 *gal*
Canal	Surface water	0.25	0.00	0.00	6.98	1,912,281.00 *gal*
Application event totals		4.14	0.00	0.00	6.98	

Application date	Application method	Precipitation 24 hours prior	Precipitation during application	Precipitation 24 hours following
08/22/2023	Surface (irrigation)	No precipitation	No precipitation	No precipitation

Source description	Material type	N (lbs/acre)	P (lbs/acre)	K (lbs/acre)	Salt (lbs/acre)	Amount
Irrigation Well	Ground water	2.76	0.00	0.00	0.00	7,833,600.00 *gal*
Canal	Surface water	0.53	0.00	0.00	14.84	4,064,224.00 *gal*
Application event totals		3.29	0.00	0.00	14.84	

B. NUTRIENT BUDGET

Field 5 - 10/08/2022: Oats, silage-soft dough

Field name: Field 5 Crop: Oats, silage-soft dough Plant date: 10/08/2022

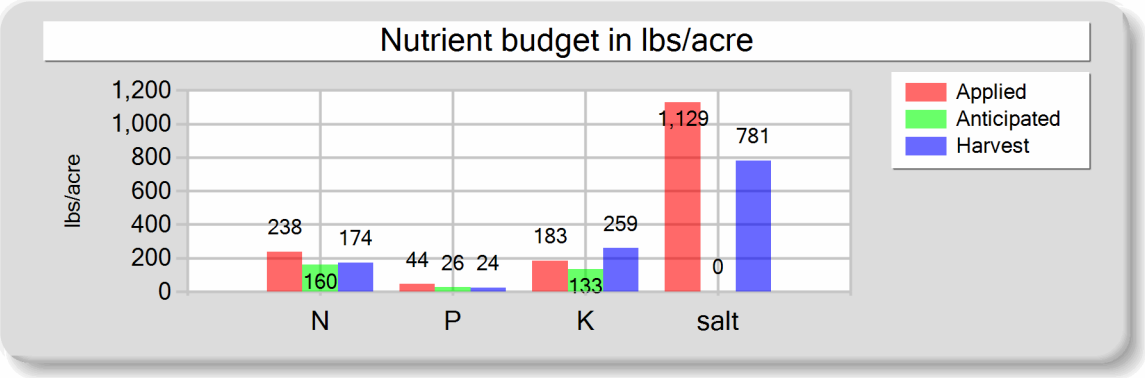

	Total N (lbs/acre)	Total P (lbs/acre)	Total K (lbs/acre)	Total salt (lbs/acre)
Existing soil nutrient content	0.00	0.00	0.00	0.00
Plowdown credit	0.00	0.00	0.00	0.00
Commercial fertilizer / Other	0.00	0.00	0.00	0.00
Dry manure	0.00	0.00	0.00	0.00
Process wastewater	223.87	44.43	183.41	1,128.83
Fresh water	7.48	0.00	0.00	0.00
Atmospheric deposition	7.00	0.00	0.00	0.00
Total nutrients applied	238.35	44.43	183.41	1,128.83
Anticipated crop nutrient removal	160.00	25.60	132.80	0.00
Actual crop nutrient removal	173.91	23.94	258.98	781.35
Nutrient balance	64.44	20.49	-75.57	347.48
Applied to removed ratio	1.37	1.86	0.71	1.44

Fresh water applied	
40,752,000.00	*gallons*
1,500.76	*acre-inches*
18.76	*inches/acre*

Process wastewater applied	
4,752,000.00	*gallons*
175.00	*acre-inches*
2.19	*inches/acre*

Total harvests for the crop	
1	*harvests*

Field 5 - 05/22/2023: Sudangrass, silage

Field name: Field 5 Crop: Sudangrass, silage Plant date: 05/22/2023

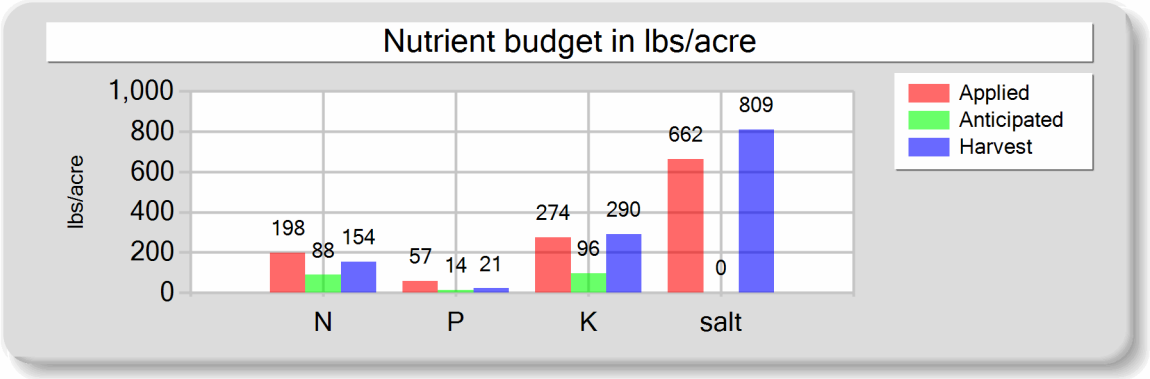

	Total N (lbs/acre)	Total P (lbs/acre)	Total K (lbs/acre)	Total salt (lbs/acre)
Existing soil nutrient content	0.00	0.00	0.00	0.00
Plowdown credit	0.00	0.00	0.00	0.00
Commercial fertilizer / Other	0.00	0.00	0.00	0.00
Dry manure	116.96	38.66	168.19	0.00
Process wastewater	58.08	18.40	105.60	578.01
Fresh water	15.67	0.00	0.00	84.21
Atmospheric deposition	7.00	0.00	0.00	0.00
Total nutrients applied	197.71	57.06	273.79	662.22
Anticipated crop nutrient removal	88.00	13.60	96.00	0.00
Actual crop nutrient removal	154.12	21.07	289.95	809.42
Nutrient balance	43.58	35.99	-16.17	-147.20
Applied to removed ratio	1.28	2.71	0.94	0.82

Fresh water applied	
97,808,349.00	*gallons*
3,601.95	*acre-inches*
45.02	*inches/acre*

Process wastewater applied	
5,328,000.00	*gallons*
196.21	*acre-inches*
2.45	*inches/acre*

Total harvests for the crop	
1	*harvests*

Field 6 - 10/27/2022: Oats, silage-soft dough

Field name: Field 6 Crop: Oats, silage-soft dough Plant date: 10/27/2022

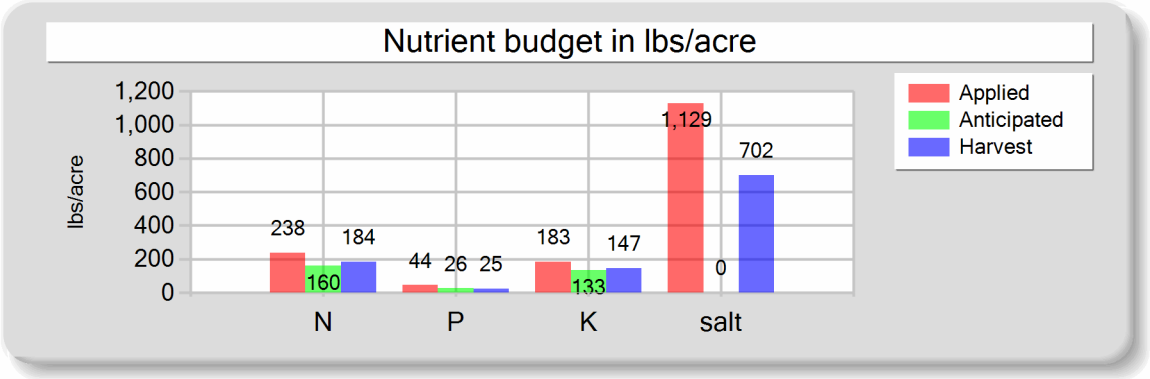

	Total N (lbs/acre)	Total P (lbs/acre)	Total K (lbs/acre)	Total salt (lbs/acre)
Existing soil nutrient content	0.00	0.00	0.00	0.00
Plowdown credit	0.00	0.00	0.00	0.00
Commercial fertilizer / Other	0.00	0.00	0.00	0.00
Dry manure	0.00	0.00	0.00	0.00
Process wastewater	223.87	44.43	183.41	1,128.83
Fresh water	7.48	0.00	0.00	0.00
Atmospheric deposition	7.00	0.00	0.00	0.00
Total nutrients applied	238.35	44.43	183.41	1,128.83
Anticipated crop nutrient removal	160.00	25.60	132.80	0.00
Actual crop nutrient removal	183.82	24.86	146.52	701.52
Nutrient balance	54.54	19.57	36.89	427.31
Applied to removed ratio	1.30	1.79	1.25	1.61

Fresh water applied	
5,094,000.00	*gallons*
187.59	*acre-inches*
18.76	*inches/acre*

Process wastewater applied	
594,000.00	*gallons*
21.88	*acre-inches*
2.19	*inches/acre*

Total harvests for the crop	
1	*harvests*

Field 6 - 06/10/2023: Sudangrass, silage

Field name: Field 6 Crop: Sudangrass, silage Plant date: 06/10/2023

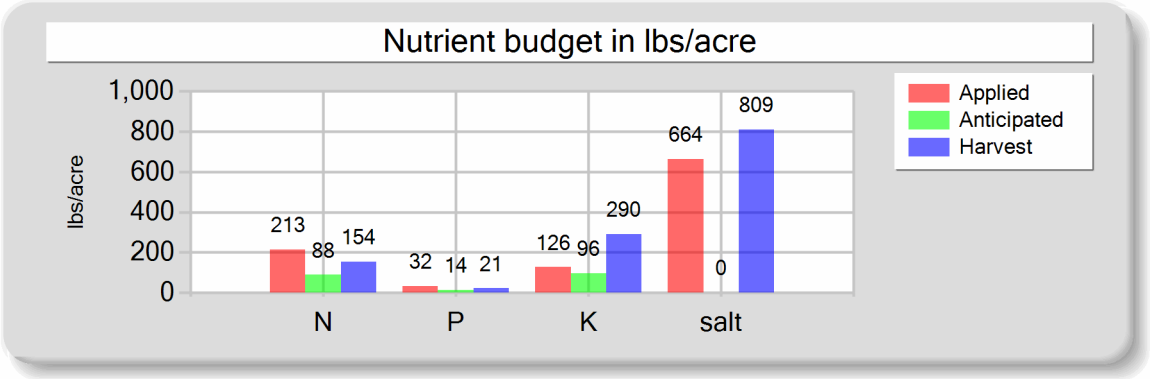

	Total N (lbs/acre)	Total P (lbs/acre)	Total K (lbs/acre)	Total salt (lbs/acre)
Existing soil nutrient content	0.00	0.00	0.00	0.00
Plowdown credit	0.00	0.00	0.00	0.00
Commercial fertilizer / Other	0.00	0.00	0.00	0.00
Dry manure	0.00	0.00	0.00	0.00
Process wastewater	190.68	31.97	126.08	579.96
Fresh water	15.67	0.00	0.00	84.19
Atmospheric deposition	7.00	0.00	0.00	0.00
Total nutrients applied	213.35	31.97	126.08	664.15
Anticipated crop nutrient removal	88.00	13.60	96.00	0.00
Actual crop nutrient removal	154.12	21.07	289.95	809.42
Nutrient balance	59.22	10.90	-163.87	-145.28
Applied to removed ratio	1.38	1.52	0.43	0.82

Fresh water applied	
12,224,919.00	*gallons*
450.20	*acre-inches*
45.02	*inches/acre*

Process wastewater applied	
662,000.00	*gallons*
24.38	*acre-inches*
2.44	*inches/acre*

Total harvests for the crop	
1	*harvests*

Field 7 - 10/10/2022: Oats, silage-soft dough

Field name: Field 7 Crop: Oats, silage-soft dough Plant date: 10/10/2022

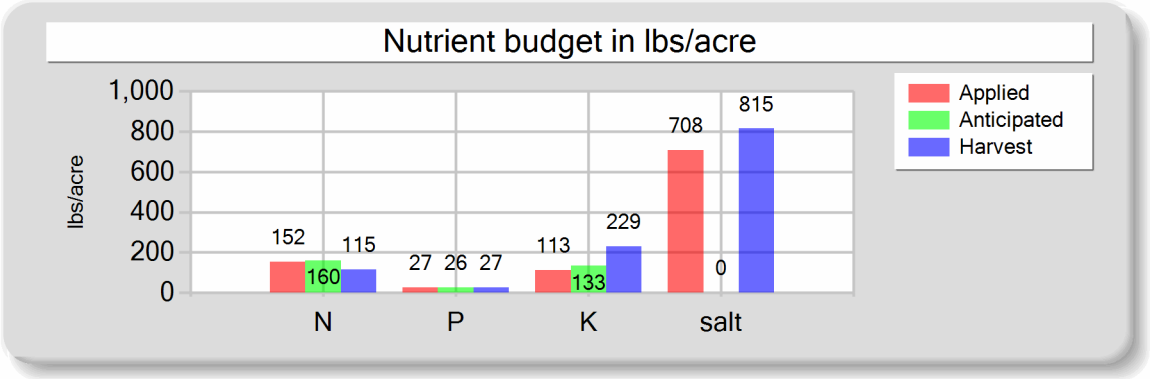

	Total N (lbs/acre)	Total P (lbs/acre)	Total K (lbs/acre)	Total salt (lbs/acre)
Existing soil nutrient content	0.00	0.00	0.00	0.00
Plowdown credit	0.00	0.00	0.00	0.00
Commercial fertilizer / Other	0.00	0.00	0.00	0.00
Dry manure	0.00	0.00	0.00	0.00
Process wastewater	138.01	27.12	113.18	707.82
Fresh water	7.44	0.00	0.00	0.00
Atmospheric deposition	7.00	0.00	0.00	0.00
Total nutrients applied	152.45	27.12	113.18	707.82
Anticipated crop nutrient removal	160.00	25.60	132.80	0.00
Actual crop nutrient removal	114.92	26.91	229.11	814.60
Nutrient balance	37.53	0.20	-115.93	-106.78
Applied to removed ratio	1.33	1.01	0.49	0.87

Fresh water applied	
17,718,261.00	*gallons*
652.50	*acre-inches*
18.64	*inches/acre*

Process wastewater applied	
1,297,516.00	*gallons*
47.78	*acre-inches*
1.37	*inches/acre*

Total harvests for the crop	
1	*harvests*

Field 7 - 05/23/2023: Sudangrass, silage

Field name: Field 7 Crop: Sudangrass, silage Plant date: 05/23/2023

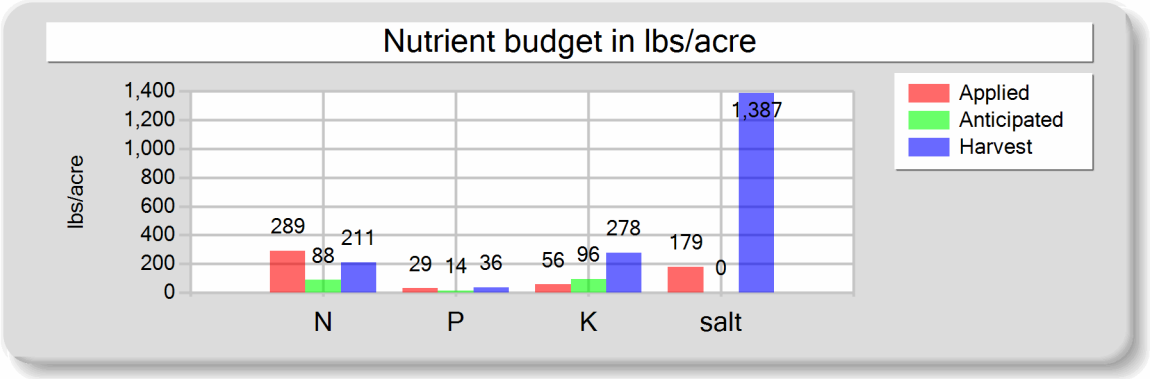

	Total N (lbs/acre)	Total P (lbs/acre)	Total K (lbs/acre)	Total salt (lbs/acre)
Existing soil nutrient content	0.00	0.00	0.00	0.00
Plowdown credit	0.00	0.00	0.00	0.00
Commercial fertilizer / Other	0.00	0.00	0.00	0.00
Dry manure	0.00	0.00	0.00	0.00
Process wastewater	266.77	29.26	56.42	94.85
Fresh water	15.59	0.00	0.00	84.19
Atmospheric deposition	7.00	0.00	0.00	0.00
Total nutrients applied	289.36	29.26	56.42	179.03
Anticipated crop nutrient removal	88.00	13.60	96.00	0.00
Actual crop nutrient removal	211.40	36.37	278.46	1,386.62
Nutrient balance	77.96	-7.11	-222.04	-1,207.58
Applied to removed ratio	1.37	0.80	0.20	0.13

Fresh water applied	
42,599,781.00	*gallons*
1,568.81	*acre-inches*
44.82	*inches/acre*

Process wastewater applied	
340,000.00	*gallons*
12.52	*acre-inches*
0.36	*inches/acre*

Total harvests for the crop	
1	*harvests*

Field 7B - 10/10/2022: Oats, silage-soft dough

Field name: Field 7B Crop: Oats, silage-soft dough Plant date: 10/10/2022

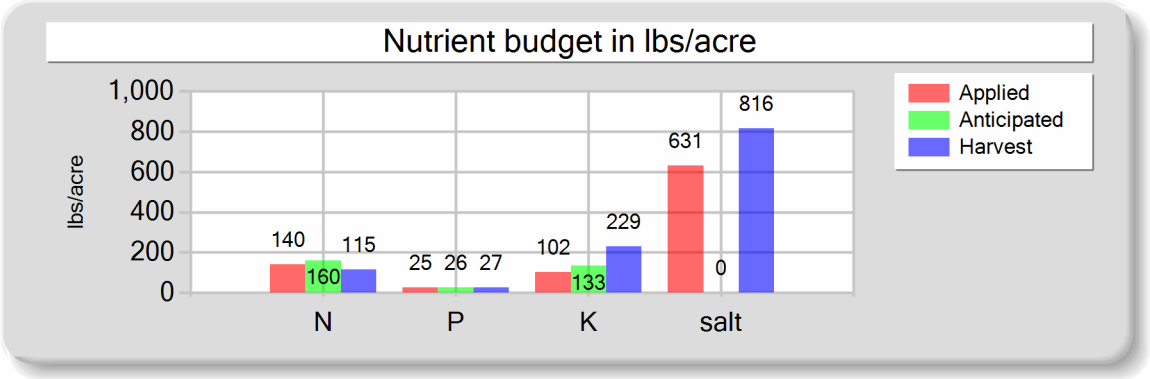

	Total N (lbs/acre)	Total P (lbs/acre)	Total K (lbs/acre)	Total salt (lbs/acre)
Existing soil nutrient content	0.00	0.00	0.00	0.00
Plowdown credit	0.00	0.00	0.00	0.00
Commercial fertilizer / Other	0.00	0.00	0.00	0.00
Dry manure	0.00	0.00	0.00	0.00
Process wastewater	125.09	24.82	102.48	631.08
Fresh water	7.50	0.00	0.00	0.00
Atmospheric deposition	7.00	0.00	0.00	0.00
Total nutrients applied	139.59	24.82	102.48	631.08
Anticipated crop nutrient removal	160.00	25.60	132.80	0.00
Actual crop nutrient removal	115.06	26.94	229.38	815.58
Nutrient balance	24.54	-2.12	-126.90	-184.51
Applied to removed ratio	1.21	0.92	0.45	0.77

Fresh water applied	
9,702,858.00	*gallons*
357.32	*acre-inches*
18.81	*inches/acre*

Process wastewater applied	
630,857.00	*gallons*
23.23	*acre-inches*
1.22	*inches/acre*

Total harvests for the crop	
1	*harvests*

Field 7B - 05/28/2023: Corn, silage

Field name: Field 7B Crop: Corn, silage Plant date: 05/28/2023

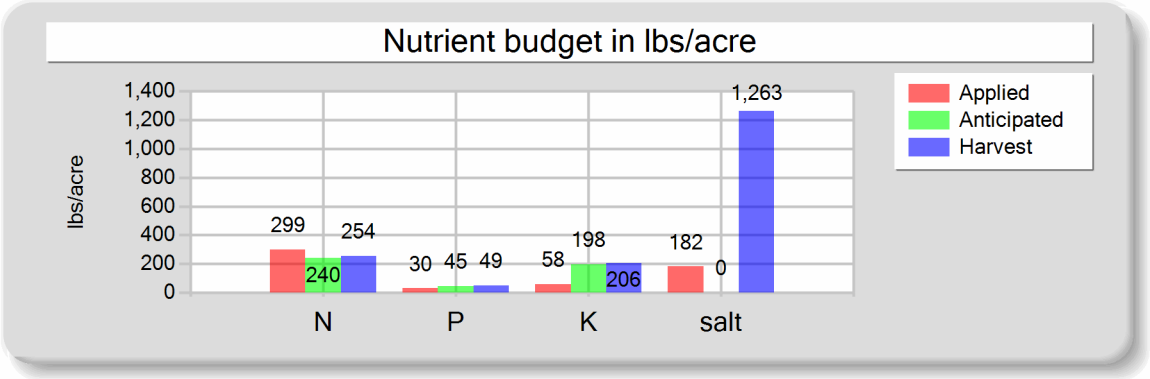

	Total N (lbs/acre)	Total P (lbs/acre)	Total K (lbs/acre)	Total salt (lbs/acre)
Existing soil nutrient content	0.00	0.00	0.00	0.00
Plowdown credit	0.00	0.00	0.00	0.00
Commercial fertilizer / Other	0.00	0.00	0.00	0.00
Dry manure	0.00	0.00	0.00	0.00
Process wastewater	274.62	30.13	58.08	97.64
Fresh water	17.14	0.00	0.00	84.19
Atmospheric deposition	7.00	0.00	0.00	0.00
Total nutrients applied	298.76	30.13	58.08	181.82
Anticipated crop nutrient removal	240.00	45.00	198.00	0.00
Actual crop nutrient removal	254.31	48.70	205.61	1,262.52
Nutrient balance	44.45	-18.57	-147.53	-1,080.70
Applied to removed ratio	1.17	0.62	0.28	0.14

Fresh water applied	
25,133,545.00	*gallons*
925.58	*acre-inches*
48.71	*inches/acre*

Process wastewater applied	
190,000.00	*gallons*
7.00	*acre-inches*
0.37	*inches/acre*

Total harvests for the crop	
1	*harvests*

Field 8 - 10/27/2022: Oats, silage-soft dough

Field name: Field 8 Crop: Oats, silage-soft dough Plant date: 10/27/2022

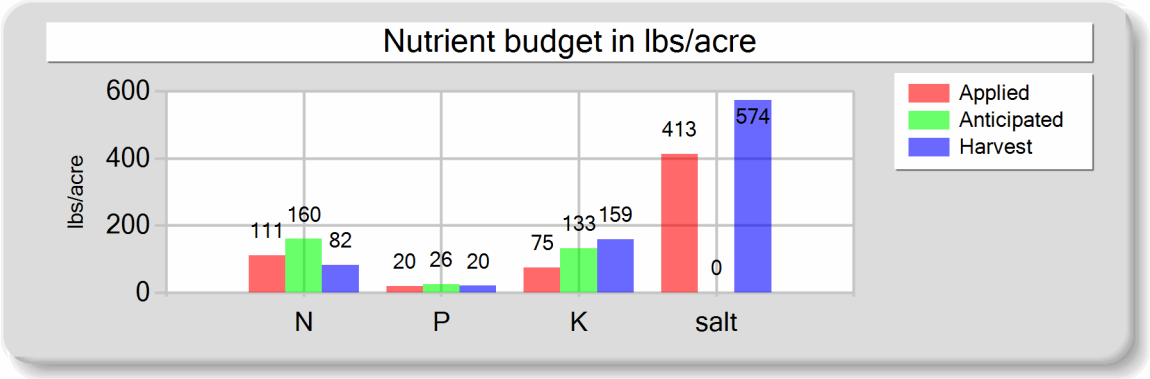

	Total N (lbs/acre)	Total P (lbs/acre)	Total K (lbs/acre)	Total salt (lbs/acre)
Existing soil nutrient content	0.00	0.00	0.00	0.00
Plowdown credit	0.00	0.00	0.00	0.00
Commercial fertilizer / Other	0.00	0.00	0.00	0.00
Dry manure	0.00	0.00	0.00	0.00
Process wastewater	92.29	19.53	75.11	413.08
Fresh water	11.48	0.00	0.00	0.00
Atmospheric deposition	7.00	0.00	0.00	0.00
Total nutrients applied	110.76	19.53	75.11	413.08
Anticipated crop nutrient removal	160.00	25.60	132.80	0.00
Actual crop nutrient removal	82.15	20.32	158.99	574.14
Nutrient balance	28.62	-0.79	-83.89	-161.06
Applied to removed ratio	1.35	0.96	0.47	0.72

Fresh water applied	
32,601,600.00	*gallons*
1,200.61	*acre-inches*
18.76	*inches/acre*

Process wastewater applied	
1,440,000.00	*gallons*
53.03	*acre-inches*
0.83	*inches/acre*

Total harvests for the crop	
1	*harvests*

Field 8 - 05/28/2023: Corn, silage

Field name: Field 8 Crop: Corn, silage Plant date: 05/28/2023

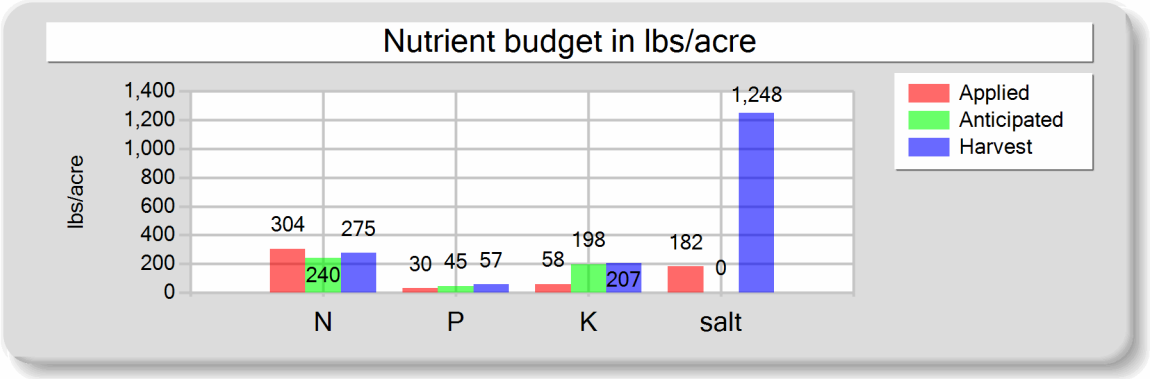

	Total N (lbs/acre)	Total P (lbs/acre)	Total K (lbs/acre)	Total salt (lbs/acre)
Existing soil nutrient content	0.00	0.00	0.00	0.00
Plowdown credit	0.00	0.00	0.00	0.00
Commercial fertilizer / Other	0.00	0.00	0.00	0.00
Dry manure	0.00	0.00	0.00	0.00
Process wastewater	274.62	30.13	58.08	97.64
Fresh water	22.43	0.00	0.00	84.19
Atmospheric deposition	7.00	0.00	0.00	0.00
Total nutrients applied	304.05	30.13	58.08	181.82
Anticipated crop nutrient removal	240.00	45.00	198.00	0.00
Actual crop nutrient removal	274.95	56.55	206.70	1,248.00
Nutrient balance	29.10	-26.42	-148.62	-1,066.18
Applied to removed ratio	1.11	0.53	0.28	0.15

Fresh water applied	
78,239,479.00	*gallons*
2,881.29	*acre-inches*
45.02	*inches/acre*

Process wastewater applied	
640,000.00	*gallons*
23.57	*acre-inches*
0.37	*inches/acre*

Total harvests for the crop	
1	*harvests*

NUTRIENT ANALYSES

A. MANURE ANALYSES

Corral manure

Sample and source description: Corral manure

Sample date: 05/10/2023 Material type: Corral solids Source of analysis: Lab analysis Method of reporting: Dry-weight

Moisture: 46.3 %

	Total N (mg/kg)	Total P (mg/kg)	Total K (mg/kg)	Calcium (mg/kg)	Magnesium (mg/kg)	Sodium (mg/kg)	Sulfur (mg/kg)	Chloride (mg/kg)	Total salt (mg/kg)	TFS (%)
Value	12,100.00	4,000.00	17,400.00							
DL	1.00	1.00	1.00							

Corral Manure

Sample and source description: Corral Manure

Sample date: 10/06/2023 Material type: Corral solids Source of analysis: Lab analysis Method of reporting: Dry-weight

Moisture: 59.9 %

	Total N (mg/kg)	Total P (mg/kg)	Total K (mg/kg)	Calcium (mg/kg)	Magnesium (mg/kg)	Sodium (mg/kg)	Sulfur (mg/kg)	Chloride (mg/kg)	Total salt (mg/kg)	TFS (%)
Value	27,800.00	8,600.00	29,700.00							0.00
DL	0.01	0.01	0.01							1.00

B. PROCESS WASTEWATER ANALYSES

Lagoon Q4 2022

Sample and source description: Lagoon Q4 2022

Sample date: 12/06/2022 Material type: Process wastewater Source of analysis: Lab analysis pH: 7.30

	Kjeldahl-N (mg/L)	NH4-N (mg/L)	NH3-N (mg/L)	Nitrate-N (mg/L)	Total P (mg/L)	Total K (mg/L)	Calcium (mg/L)	Magnes. (mg/L)	Sodium (mg/L)	Bicarb. (mg/L)	Carb. (mg/L)	Sulfate (mg/L)	Chloride (mg/L)	EC (µmhos/cm)	TDS (mg/L)
Value	402.00	234.00	0.00	1.80	72.40	334.00								4,780.00	2,370
DL	1.00	1.00	0.01	1.00	1.00	1.00								1.00	1

Lagoon Q1

Sample and source description: Lagoon Q1

Sample date: 03/30/2023 Material type: Process wastewater Source of analysis: Lab analysis pH: 7.20

	Kjeldahl-N (mg/L)	NH4-N (mg/L)	NH3-N (mg/L)	Nitrate-N (mg/L)	Total P (mg/L)	Total K (mg/L)	Calcium (mg/L)	Magnes. (mg/L)	Sodium (mg/L)	Bicarb. (mg/L)	Carb. (mg/L)	Sulfate (mg/L)	Chloride (mg/L)	EC (µmhos/cm)	TDS (mg/L)
Value	490.00	242.00	0.00	1.50	104.00	400.00								6,470.00	2,200
DL	0.01	0.01	0.01	0.01	0.01	0.01								10.00	1

Slurry

Sample and source description: Slurry

Sample date: 05/10/2023 Material type: Process wastewater sludge Source of analysis: Lab analysis pH: 7.00

	Kjeldahl-N (mg/L)	NH4-N (mg/L)	NH3-N (mg/L)	Nitrate-N (mg/L)	Total P (mg/L)	Total K (mg/L)	Calcium (mg/L)	Magnes. (mg/L)	Sodium (mg/L)	Bicarb. (mg/L)	Carb. (mg/L)	Sulfate (mg/L)	Chloride (mg/L)	EC (µmhos/cm)	TDS (mg/L)
Value	3,290.00	367.00	0.00	0.80	361.00	696.00								5,770.00	1,170
DL	0.01	0.01	0.01	0.01	0.01	0.01								10.00	1

Lagoon Q3

Sample and source description: Lagoon Q3

Sample date: 08/01/2023 Material type: Process wastewater Source of analysis: Lab analysis pH: 7.40

	Kjeldahl-N (mg/L)	NH4-N (mg/L)	NH3-N (mg/L)	Nitrate-N (mg/L)	Total P (mg/L)	Total K (mg/L)	Calcium (mg/L)	Magnes. (mg/L)	Sodium (mg/L)	Bicarb. (mg/L)	Carb. (mg/L)	Sulfate (mg/L)	Chloride (mg/L)	EC (µmhos/cm)	TDS (mg/L)
Value	104.00	98.30	0.00	0.50	33.10	190.00								2,010.00	1,040
DL	0.01	0.01	0.01	0.01	0.01	0.01								10.00	1

Lagoon Q4

Sample and source description: Lagoon Q4

Sample date: 12/04/2023 Material type: Process wastewater Source of analysis: Lab analysis pH: 7.30

	Kjeldahl-N (mg/L)	NH4-N (mg/L)	NH3-N (mg/L)	Nitrate-N (mg/L)	Total P (mg/L)	Total K (mg/L)	Calcium (mg/L)	Magnes. (mg/L)	Sodium (mg/L)	Bicarb. (mg/L)	Carb. (mg/L)	Sulfate (mg/L)	Chloride (mg/L)	EC (µmhos/cm)	TDS (mg/L)
Value	296.00	235.00	0.00	0.00	93.00	366.00								5,230.00	2,250
DL	0.01	0.01	0.01	0.01	0.01	0.01								10.00	1

C. FRESH WATER ANALYSES

Canal

Canal

Sample description: Canal

Sample date: 10/19/2023 Source of analysis: Lab analysis

	Total N (mg/L)	NH4-N (mg/L)	Nitrate-N (mg/L)	Calcium (mg/L)	Magnesium (mg/L)	Sodium (mg/L)	Bicarbonate (mg/L)	Carbonate (mg/L)	Sulfate (mg/L)	Chloride (mg/L)	EC (µmhos/cm)	TDS (mg/L)
Value	1.00	0.00	1.00								32.20	28
DL	0.01	0.01	0.01								10.00	1

Domestic Well

DW MB

Sample description: DW MB

Sample date: 12/11/2023 Source of analysis: Lab analysis

	Total N (mg/L)	NH4-N (mg/L)	Nitrate-N (mg/L)	Calcium (mg/L)	Magnesium (mg/L)	Sodium (mg/L)	Bicarbonate (mg/L)	Carbonate (mg/L)	Sulfate (mg/L)	Chloride (mg/L)	EC (µmhos/cm)	TDS (mg/L)
Value	1.90	0.00	1.90								333.00	0
DL	0.01	0.01	0.01								10.00	1

Irrigation Well

IW #1

Sample description: IW #1

Sample date: 12/11/2023 Source of analysis: Lab analysis

	Total N (mg/L)	NH4-N (mg/L)	Nitrate-N (mg/L)	Calcium (mg/L)	Magnesium (mg/L)	Sodium (mg/L)	Bicarbonate (mg/L)	Carbonate (mg/L)	Sulfate (mg/L)	Chloride (mg/L)	EC (µmhos/cm)	TDS (mg/L)
Value	2.70	0.00	2.70								438.00	0
DL	0.01	0.01	0.01								10.00	1

Irrigation Well

IW #2

Sample description: IW #2

Sample date: 12/11/2023 Source of analysis: Lab analysis

	Total N (mg/L)	NH4-N (mg/L)	Nitrate-N (mg/L)	Calcium (mg/L)	Magnesium (mg/L)	Sodium (mg/L)	Bicarbonate (mg/L)	Carbonate (mg/L)	Sulfate (mg/L)	Chloride (mg/L)	EC (µmhos/cm)	TDS (mg/L)
Value	1.30	0.00	1.30								135.00	0
DL	0.01	0.01	0.01								10.00	1

IW #3

Sample description: IW #3

Sample date: 12/11/2023 Source of analysis: Lab analysis

	Total N (mg/L)	NH4-N (mg/L)	Nitrate-N (mg/L)	Calcium (mg/L)	Magnesium (mg/L)	Sodium (mg/L)	Bicarbonate (mg/L)	Carbonate (mg/L)	Sulfate (mg/L)	Chloride (mg/L)	EC (µmhos/cm)	TDS (mg/L)
Value	1.27	0.00	1.27								1,270.00	0
DL	0.01	0.01	0.01								10.00	1

IW AVERAGE

Sample description: IW AVERAGE

Sample date: 12/11/2023 Source of analysis: Other/estimated

	Total N (mg/L)	NH4-N (mg/L)	Nitrate-N (mg/L)	Calcium (mg/L)	Magnesium (mg/L)	Sodium (mg/L)	Bicarbonate (mg/L)	Carbonate (mg/L)	Sulfate (mg/L)	Chloride (mg/L)	EC (µmhos/cm)	TDS (mg/L)
Value	1.76	0.00	1.76									
DL	1.00	0.01	1.00									

D. SOIL ANALYSES

No soil analyses entered.

E. PLANT TISSUE ANALYSES

Field 5 - 10/08/2022: Oats, silage-soft dough

Field 5 - 10/08/2022: Oats, silage-soft dough

Oat Silage Field 5

Sample and source description: Oat Silage Field 5

Sample date: 04/13/2023 Source of analysis: Lab analysis Method of reporting: Dry-weight

Moisture: 82.2 %

	Total N (mg/kg)	Total P (mg/kg)	Total K (mg/kg)	Total salt (mg/kg)	TFS (%)
Value	27,600.00	3,800.00	41,100.00		12.40
DL	0.01	0.01	0.01		1.00

Field 6 - 10/27/2022: Oats, silage-soft dough

Oats Field 6

Sample and source description: Oats Field 6

Sample date: 05/24/2023 Source of analysis: Lab analysis Method of reporting: Dry-weight

Moisture: 70.4 %

	Total N (mg/kg)	Total P (mg/kg)	Total K (mg/kg)	Total salt (mg/kg)	TFS (%)
Value	20,700.00	2,800.00	16,500.00		7.90
DL	0.01	0.01	0.01		1.00

Field 6 - 06/10/2023: Sudangrass, silage

Field 6 Sudan

Sample and source description: Field 6 Sudan

Sample date: 08/03/2023 Source of analysis: Lab analysis Method of reporting: Dry-weight

Moisture: 84.6 %

	Total N (mg/kg)	Total P (mg/kg)	Total K (mg/kg)	Total salt (mg/kg)	TFS (%)
Value	27,800.00	3,800.00	52,300.00		14.60
DL	0.01	0.01	0.01		1.00

Field 7 - 05/23/2023: Sudangrass, silage

Field 7B Sudan

Sample and source description: Field 7B Sudan

Sample date: 09/06/2023 Source of analysis: Lab analysis Method of reporting: Dry-weight

Moisture: 79.4 %

	Total N (mg/kg)	Total P (mg/kg)	Total K (mg/kg)	Total salt (mg/kg)	TFS (%)
Value	18,600.00	3,200.00	24,500.00		12.20
DL	0.01	0.01	0.01		1.00

Field 7B - 10/10/2022: Oats, silage-soft dough

Oat Silage Field 7

Sample and source description: Oat Silage Field 7

Sample date: 04/13/2023 Source of analysis: Lab analysis Method of reporting: Dry-weight

Moisture: 79.1 %

	Total N (mg/kg)	Total P (mg/kg)	Total K (mg/kg)	Total salt (mg/kg)	TFS (%)
Value	15,800.00	3,700.00	31,500.00		11.20
DL	0.01	0.01	0.01		1.00

Field 7B - 05/28/2023: Corn, silage

Field 7 Corn

Sample and source description: Field 7 Corn

Sample date: 09/06/2023 Source of analysis: Lab analysis Method of reporting: Dry-weight

Moisture: 66.6 %

	Total N (mg/kg)	Total P (mg/kg)	Total K (mg/kg)	Total salt (mg/kg)	TFS (%)
Value	14,100.00	2,700.00	11,400.00		7.00
DL	0.01	0.01	0.01		1.00

Field 8 - 10/27/2022: Oats, silage-soft dough

Oat Silage Field 8

Sample and source description: Oat Silage Field 8

Sample date: 04/13/2023 Source of analysis: Lab analysis Method of reporting: Dry-weight

Moisture: 72.9 %

	Total N (mg/kg)	Total P (mg/kg)	Total K (mg/kg)	Total salt (mg/kg)	TFS (%)
Value	9,300.00	2,300.00	18,000.00		6.50
DL	0.01	0.01	0.01		1.00

Field 8 - 05/28/2023: Corn, silage

Field 8 Corn

Sample and source description: Field 8 Corn

Sample date: 09/06/2023 Source of analysis: Lab analysis Method of reporting: Dry-weight

Moisture: 62.5 %

	Total N (mg/kg)	Total P (mg/kg)	Total K (mg/kg)	Total salt (mg/kg)	TFS (%)
Value	14,100.00	2,900.00	10,600.00		6.40
DL	0.01	0.01	0.01		1.00

F. SUBSURFACE (TILE) DRAINAGE ANALYSES

No subsurface (tile) drainage analyses entered.

NUTRIENT APPLICATIONS, POTENTIAL REMOVAL, AND BALANCE

A. SUMMARY OF NUTRIENT APPLICATIONS, POTENTIAL REMOVAL, AND BALANCE

	Total N (lbs)	Total P (lbs)	Total K (lbs)	Total salt (lbs)
Existing soil nutrient content	0.00	0.00	0.00	0.00
Plowdown credit	0.00	0.00	0.00	0.00
Commercial fertilizer / Other	0.00	0.00	0.00	0.00
Dry manure	9,356.69	3,093.12	13,455.07	0.00
Process wastewater	71,945.31	11,985.28	43,725.85	228,259.31
Fresh water	5,528.17	0.00	0.00	17,512.75
Atmospheric deposition	2,912.00	0.00	0.00	0.00
Total nutrients applied	89,742.17	15,078.40	57,180.93	245,772.06
Anticipated crop nutrient removal	64,200.00	10,759.80	56,056.40	0.00
Actual crop nutrient removal	70,915.50	12,631.67	97,713.14	375,514.67
Nutrient balance	18,826.67	2,446.73	-40,532.21	-129,742.61
Applied to removed ratio	1.27	1.19	0.59	0.65

B. POUNDS OF NUTRIENT APPLIED VS. CROP REMOVAL

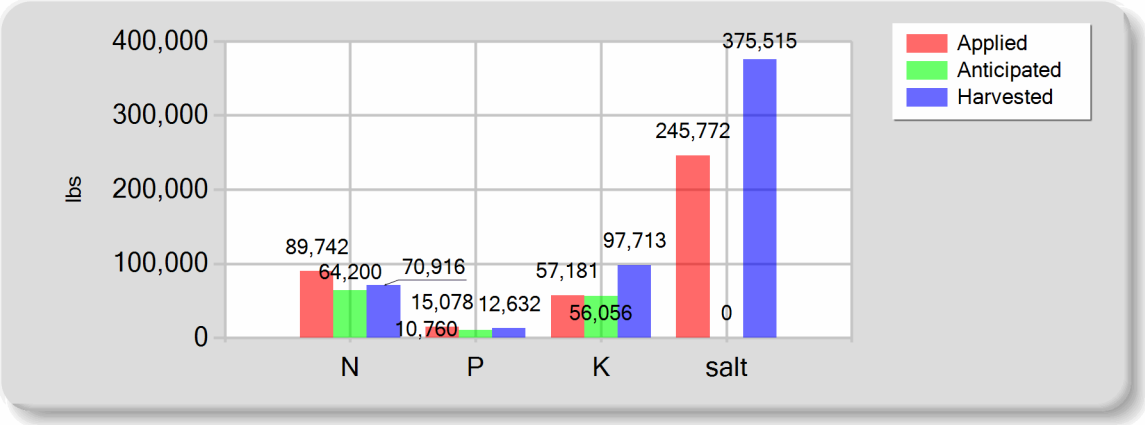

C. POUNDS OF NUTRIENT APPLIED BY MATERIAL TYPE

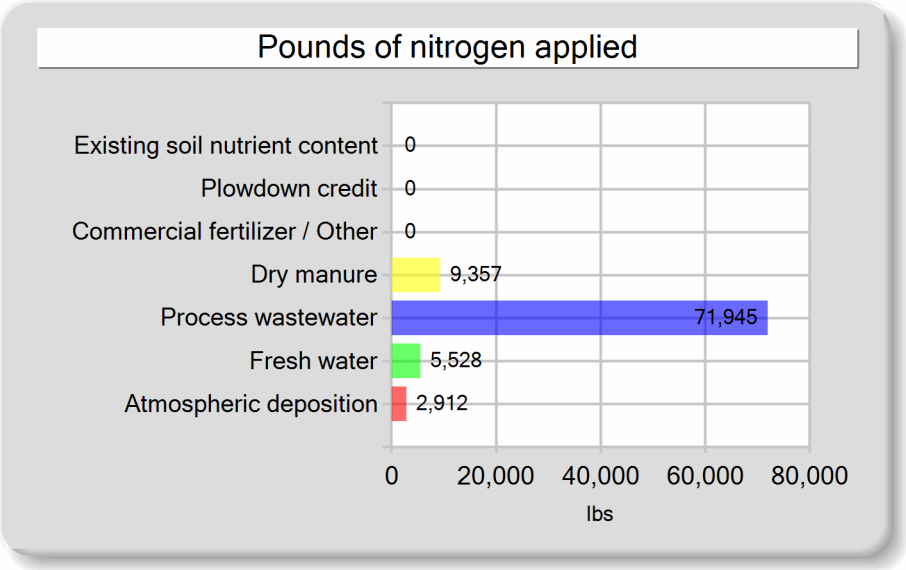

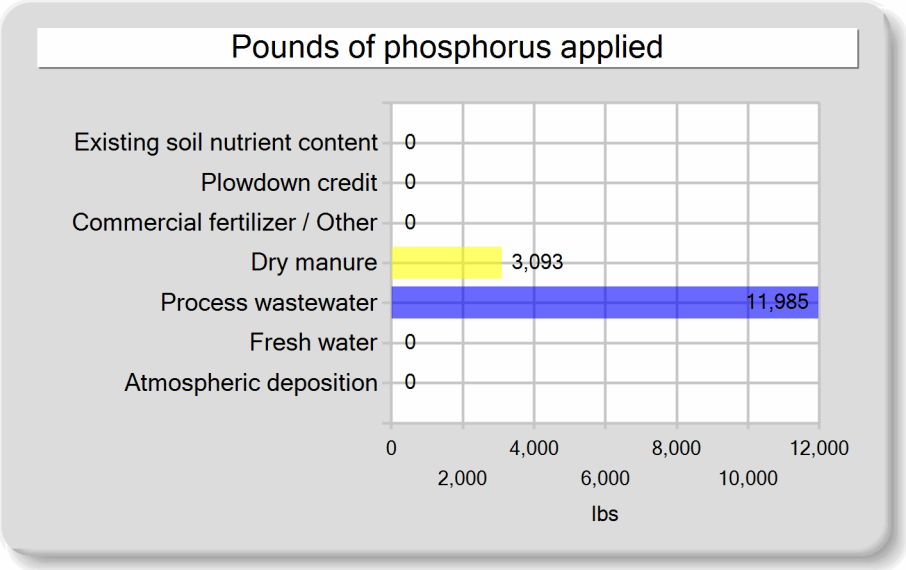

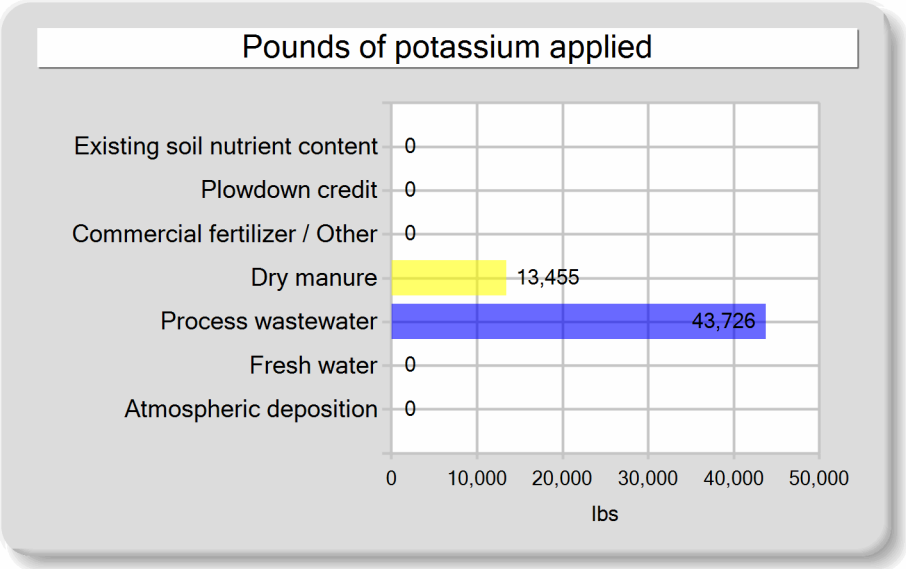

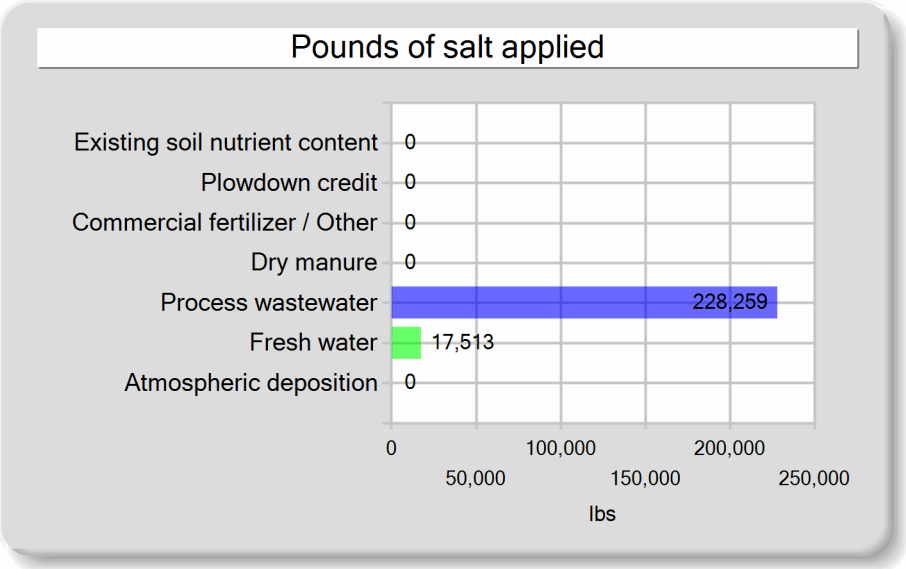

EXCEPTION REPORTING

A. MANURE, PROCESS WASTEWATER, AND OTHER DAIRY WASTE DISCHARGES

The following is a summary of all manure and process wastewater discharges from the production area to surface water or to land areas (land application areas or otherwise) when not in accordance with the facility's Nutrient Management Plan.

No manure or process wastewater discharges occurred during the reporting period.

B. STORM WATER DISCHARGES

The following is a summary of all storm water discharges from the production area to surface water during the reporting period when not in accordance with the facility 's Nutrient Management Plan.

No stormwater discharges occurred during the reporting period.

C. LAND APPLICATION AREA TO SURFACE WATER DISCHARGES

The following is a summary of all discharges from the land application area to surface water that have occurred during the reporting period when not in accordance with the facility's Nutrient Management Plan.

No land application area to surface water discharges occurred during the reporting period.

NUTRIENT MANAGEMENT PLAN AND EXPORT AGREEMENT STATEMENTS

A. NUTRIENT MANAGEMENT PLAN STATEMENTS

Was the facility's NMP updated in the reporting period?	No
Was the facility's NMP developed by a certified nutrient management planner (specialist) as specified in Attachment C of the General Order?	Yes
Was the facility's NMP approved by a certified nutrient management planner (specialist) as specified in Attachment C of the General Order?	Yes

B. EXPORT AGREEMENT STATEMENT

Are there any written agreements with third parties to receive manure or process wastewater that are new or were revised within the reporting period?	No

ADDITIONAL NOTES

A. NOTES

Fields 1,2,3, and 4 are not farmed by dairy operator and are non-application fields in the NMP.

CERTIFICATION

A. OWNER AND/OR OPERATOR CERTIFICATION

I certify under penalty of law that I have personally examined and am familiar with the information submitted in this document and all attachments and that, based on my inquiry of those individuals immediately responsible for obtaining the information, I believe that the information is true, accurate, and complete. I am aware that there are significant penalties for submitting false information, including the possibility of fine and imprisonment.

Antonio Azevedo

SIGNATURE OF OWNER OF FACILITY	SIGNATURE OF OPERATOR OF FACILITY
Arturo & Margherita Giampadraglia	Antonio Azevedo
PRINT OR TYPE NAME	PRINT OR TYPE NAME
	Jul 2, 2024
DATE	DATE

ATTACHMENTS

A. REQUIRED ATTACHMENTS

The following lists the required documents that should be attached to the Annual Report when submitted .

Annual Dairy Facility Assessment
Provide an Annual Dairy Facility Assessment (an update to the Preliminary Dairy Facility Assessment in Attachment A) for each reporting period. On the PDFA Final page, click on the ADFA Report button to generate an ADFA report after updating information as needed .

Manure/Process Wastewater Tracking Manifests
Provide copies of all manure/process wastewater tracking manifests for the reporting period, signed by both the owner/operator and the hauler.

Corrective Actions Documents
Provide records documenting any corrective actions taken to correct deficiencies noted as a result of the inspections required in the Monitoring Requirements of the General Order. Deficiencies not corrected in 30 days must be accompanied by an explanation of the factors preventing immediate correction.

Groundwater Monitoring
Dischargers that monitor supply wells or subsurface (tile) drainage systems, or that have monitoring well systems must submit monitoring results as directed in the General Order, Groundwater Reporting Section starting on page MRP-13.

Storm Water Monitoring
Dischargers that are required to monitor storm water more frequently than required in the General Order must submit monitoring results as directed in the General Order, Storm Water Reporting Section on page MRP-14.

DELLAVALLE LABORATORY INC

Report of Dairy Well Water Analysis

Antonio Azevedo Dairies
2025 W El Nido Road
El Nido CA 95317
00-0021345 08

E-mail:
Copy To: cas.labs@yahoo.com

Lab No.: 23L0780
Sampled By: N Machado
Requested By: Antonio & Alexandria Azevedo
Submitted Date: 12/13/23
Reported Date: 12/20/23
Project: Azevedo Dairy #3
Crop ID:

		Date Sampled	Time Sampled	EC µmhos/cm	EC mmhos/cm	NO_3-N mg/L	Field NH_4-N mg/L	Total NH_4-N mg/L	pH at 25°C unit
1	DW - MB	12/11/23	18:30	333	0.33	1.9	ND		7.4
2	IW #1	12/11/23	18:45	438	0.44	2.7	ND		7.4
3	IW #2	12/11/23	19:00	135	0.14	1.3	ND		6.1
4	IW #3	12/11/23	18:15	1270	1.27	10.0	ND		7.2

***** = Field NH_4-N not Taken.
ND = None Detected

Approved By: Scott M Friedland
Laboratory Director\Technical Manager
ELAP Certification #1595
A2LA Certification #6440.02

DELLAVALLE LABORATORY INC

Report of Dairy Well Water Analysis

Antonio Azevedo Dairies
2025 W El Nido Road
El Nido CA 95317
00-0021345 08

E-mail:
Copy To: cas.labs@yahoo.com

Lab No.: 23L0780
Sampled By: N Machado
Requested By: Antonio & Alexandria Azevedo
Submitted Date: 12/13/23
Reported Date: 12/20/23
Project: Azevedo Dairy #3
Crop ID:

		Date Sampled	Time Sampled	EC µmhos/cm	EC mmhos/cm	NO_3-N mg/L	Nitrogen agricultural use Calcs calculated from nitrate-N lbs/AcFoot	lbs/AcInch
1	DW - MB	12/11/23	18:30	333	0.33	1.9	5.19	0.43
2	IW #1	12/11/23	18:45	438	0.44	**2.7**	7.37	0.61
3	IW #2	12/11/23	19:00	135	0.14	1.3	3.55	0.30
4	IW #3	12/11/23	18:15	**1270**	**1.27**	**10.0**	27.30	2.28

Water for Crop Use **Nutrient Management**	Total Salts	Total Salts	Nitrate Nitrogen
Low Levels	< 900	< 0.90	< 2.0
Significant Levels	900-2200	0.90-2.2	2.0-10.0
High Levels	2200+	2.2+	10.0+

Sampling abbreviations: H.B. = hose bib, S.P. = stand pipe, Dom. = domestic well, IR = irrigation well, AG = ag well.
Nitrate exceeds Water Quality MCL levels if results are above 10 mg/l nitrate-nitrogen NO3-N (equivalent to 45 mg/l nitrate, NO3).
Total Salt results are used to monitor changes of salt in the well aquifers between annual tests.
MCL = Maximum Contaminant Level according to the California Domestic Water Quality and Monitoring Regulations (Title 22)
MDL = Method Detection Limit; **RL** = Reporting Limit, mg/L = ppm.
SM = Standard Methods for the Examination of Water and Wastewater
EPA = Environmental Protection Agency methods used unless otherwise indicated.

DELLAVALLE™
LABORATORY INC

Antonio Azevedo Dairies
2025 W El Nido Road
El Nido, CA 95317

Account# 00-0021345
Account Manager: Ben Nydam
Submitted By: Antonio & Alexandria Azevedo
Ranch: Azevedo Dairy #3

Received: 12/13/2023 7:00
Reported: 12/20/2023 14:29

Samples in this Report

Lab ID	Sample	Matrix	Sampled By	Crop	Date Sampled
23L0780-01	DW - MB	Ag Water	N Machado		12/11/2023 18:30
23L0780-02	IW #1	Ag Water	N Machado		12/11/2023 18:45
23L0780-03	IW #2	Ag Water	N Machado		12/11/2023 19:00
23L0780-04	IW #3	Ag Water	N Machado		12/11/2023 18:15

Default Cooler Temperature on Receipt °C: 2.3
Containers Intact
COC/Labels Agree
Received On Ice

Notes and Definitions

Item	Definition
H	Hold Time Exceeded
MCL	Drinking Water Maximum Contaminant Level
ND	Analyte NOT DETECTED at or above the reporting limit.
NES	Not Enough Sample
*	Not Taken
RPD	Relative Percent Difference
%REC	Percent Recovery
Source	Sample that was matrix spiked or duplicated.

Scott McFriedland

Laboratory Director/Technical Manager

ELAP Certification #1595
A2LA Certification #6440.02

The results in this report apply to the samples as received and were analyzed in accordance with the chain of custody document. This analytical report must be reproduced in its entirety. All results listed in this report are for the exclusive use of the submitting party. Dellavalle Laboratory, Inc. assumes no responsibility for report alteration, separation, detachment or third party interpretation.

DELLAVALLE™
LABORATORY INC

Antonio Azevedo Dairies
2025 W El Nido Road
El Nido, CA 95317

Account# 00-0021345
Account Manager: Ben Nydam
Submitted By: Antonio & Alexandria Azevedo
Ranch: Azevedo Dairy #3

Received: 12/13/2023 7:00
Reported: 12/20/2023 14:29

Sample Results

Sample: DW - MB
23L0780-01 (Water)

Sampled: 12/11/2023 18:30
Sampled By: N Machado

Analyte	Result	Units	Reporting Limit	DIL	DW MCL	Date/Time Analyzed	Method	Notes	Batch
Electrical Conductivity	**0.33**	mmhos/cm	0.01	1		12/14/23 17:24	SM 2510 B		BEL0616
Electrical Conductivity umhos	**333**	umhos/cm	10.0	1		12/14/23 17:24	SM 2510 B		BEL0616
Ammonia (as N)	ND	mg/L	0.00	1		12/11/23 18:30	Field		BEL0448
Nitrate Nitrogen as NO3N	**1.9**	mg/L	0.1	1	10	12/14/23 00:04	EPA 300.0		BEL0446
Temperature	**25.0**	units	0.0	1		12/14/23 17:24	SM 4500-H+	H	BEL0616
pH	**7.4**	units	1.0	1		12/14/23 17:24	SM 4500-H+	H	BEL0616

The results in this report apply to the samples as received and were analyzed in accordance with the chain of custody document. This analytical report must be reproduced in its entirety. All results listed in this report are for the exclusive use of the submitting party. Dellavalle Laboratory, Inc. assumes no responsibility for report alteration, separation, detachment or third party interpretation.

DELLAVALLE™
LABORATORY INC

Antonio Azevedo Dairies
2025 W El Nido Road
El Nido, CA 95317

Account# 00-0021345
Account Manager: Ben Nydam
Submitted By: Antonio & Alexandria Azevedo
Ranch: Azevedo Dairy #3

Received: 12/13/2023 7:00
Reported: 12/20/2023 14:29

Sample Results
(Continued)

Sample: IW #1
23L0780-02 (Water)

Sampled: 12/11/2023 18:45
Sampled By: N Machado

Analyte	Result	Units	Reporting Limit	DIL	DW MCL	Date/Time Analyzed	Method	Notes	Batch
Electrical Conductivity	**0.44**	mmhos/cm	0.01	1		12/14/23 17:25	SM 2510 B		BEL0616
Electrical Conductivity umhos	**438**	umhos/cm	10.0	1		12/14/23 17:25	SM 2510 B		BEL0616
Ammonia (as N)	ND	mg/L	0.00	1		12/11/23 18:45	Field		BEL0448
Nitrate Nitrogen as NO3N	**2.7**	mg/L	0.1	1	10	12/14/23 00:24	EPA 300.0		BEL0446
Temperature	**25.0**	units	0.0	1		12/14/23 17:25	SM 4500-H+	H	BEL0616
pH	**7.4**	units	1.0	1		12/14/23 17:25	SM 4500-H+	H	BEL0616

The results in this report apply to the samples as received and were analyzed in accordance with the chain of custody document. This analytical report must be reproduced in its entirety. All results listed in this report are for the exclusive use of the submitting party. Dellavalle Laboratory, Inc. assumes no responsibility for report alteration, separation, detachment or third party interpretation.

DELLAVALLE™
LABORATORY INC

Antonio Azevedo Dairies
2025 W El Nido Road
El Nido, CA 95317

Account# 00-0021345
Account Manager: Ben Nydam
Submitted By: Antonio & Alexandria Azevedo
Ranch: Azevedo Dairy #3

Received: 12/13/2023 7:00
Reported: 12/20/2023 14:29

Sample Results
(Continued)

Sample: IW #2
23L0780-03 (Water)

Sampled: 12/11/2023 19:00
Sampled By: N Machado

Analyte	Result	Units	Reporting Limit	DIL	DW MCL	Date/Time Analyzed	Method	Notes	Batch
Electrical Conductivity	**0.14**	mmhos/cm	0.01	1		12/14/23 17:41	SM 2510 B		BEL0645
Electrical Conductivity umhos	**135**	umhos/cm	10.0	1		12/14/23 17:41	SM 2510 B		BEL0645
Ammonia (as N)	ND	mg/L	0.00	1		12/11/23 19:00	Field		BEL0448
Nitrate Nitrogen as NO3N	**1.3**	mg/L	0.1	1	10	12/14/23 00:44	EPA 300.0		BEL0446
Temperature	**25.0**	units	0.0	1		12/14/23 17:41	SM 4500-H+	H	BEL0645
pH	**6.1**	units	1.0	1		12/14/23 17:41	SM 4500-H+	H	BEL0645

The results in this report apply to the samples as received and were analyzed in accordance with the chain of custody document. This analytical report must be reproduced in its entirety. All results listed in this report are for the exclusive use of the submitting party. Dellavalle Laboratory, Inc. assumes no responsibility for report alteration, separation, detachment or third party interpretation.

DELLAVALLE™
LABORATORY INC

Antonio Azevedo Dairies
2025 W El Nido Road
El Nido, CA 95317

Account# 00-0021345
Account Manager: Ben Nydam
Submitted By: Antonio & Alexandria Azevedo
Ranch: Azevedo Dairy #3

Received: 12/13/2023 7:00
Reported: 12/20/2023 14:29

Sample Results
(Continued)

Sample: IW #3
23L0780-04 (Water)

Sampled: 12/11/2023 18:15
Sampled By: N Machado

Analyte	Result	Units	Reporting Limit	DIL	DW MCL	Date/Time Analyzed	Method	Notes	Batch
Electrical Conductivity	**1.27**	mmhos/cm	0.01	1		12/14/23 17:42	SM 2510 B		BEL0645
Electrical Conductivity umhos	**1270**	umhos/cm	10.0	1		12/14/23 17:42	SM 2510 B		BEL0645
Ammonia (as N)	ND	mg/L	0.00	1		12/11/23 18:15	Field		BEL0448
Nitrate Nitrogen as NO3N	**10.0**	mg/L	0.1	1	10	12/14/23 01:04	EPA 300.0		BEL0446
Temperature	**25.0**	units	0.0	1		12/14/23 17:42	SM 4500-H+	H	BEL0645
pH	**7.2**	units	1.0	1		12/14/23 17:42	SM 4500-H+	H	BEL0645

The results in this report apply to the samples as received and were analyzed in accordance with the chain of custody document. This analytical report must be reproduced in its entirety. All results listed in this report are for the exclusive use of the submitting party. Dellavalle Laboratory, Inc. assumes no responsibility for report alteration, separation, detachment or third party interpretation.

DELLAVALLE™
LABORATORY INC

Antonio Azevedo Dairies
2025 W El Nido Road
El Nido, CA 95317

Account# 00-0021345
Account Manager: Ben Nydam
Submitted By: Antonio & Alexandria Azevedo
Ranch: Azevedo Dairy #3

Received: 12/13/2023 7:00
Reported: 12/20/2023 14:29

Quality Control

Analyte	Result	Qual	Reporting Limit	Units	Spike Level	Source Result	%REC	%REC Limits	RPD	RPD Limit
Batch: BEL0446										
Blank (BEL0446-BLK1)					Prepared & Analyzed: 12/13/2023					
Nitrate Nitrogen as NO3N	ND		0.1	mg/L						
Blank (BEL0446-BLK2)					Prepared & Analyzed: 12/13/2023					
Nitrate Nitrogen as NO3N	ND		0.1	mg/L						
Blank (BEL0446-BLK3)					Prepared & Analyzed: 12/14/2023					
Nitrate Nitrogen as NO3N	ND		0.1	mg/L						
Blank (BEL0446-BLK4)					Prepared & Analyzed: 12/14/2023					
Nitrate Nitrogen as NO3N	ND		0.1	mg/L						
Blank (BEL0446-BLK5)					Prepared & Analyzed: 12/14/2023					
Nitrate Nitrogen as NO3N	ND		0.1	mg/L						
LCS (BEL0446-BS1)					Prepared & Analyzed: 12/13/2023					
Nitrate Nitrogen as NO3N	4.8		0.1	mg/L	5.000		95.9	90-110		
LCS (BEL0446-BS2)					Prepared & Analyzed: 12/14/2023					
Nitrate Nitrogen as NO3N	4.9		0.1	mg/L	5.000		97.9	90-110		
LCS (BEL0446-BS3)					Prepared & Analyzed: 12/14/2023					
Nitrate Nitrogen as NO3N	5.0		0.1	mg/L	5.000		99.7	90-110		
LCS (BEL0446-BS4)					Prepared & Analyzed: 12/14/2023					
Nitrate Nitrogen as NO3N	4.9		0.1	mg/L	5.000		97.9	90-110		
Duplicate (BEL0446-DUP1)		**Source: 23L0776-07**			Prepared & Analyzed: 12/13/2023					
Nitrate Nitrogen as NO3N	7.7		0.1	mg/L		7.6			1.53	10
Duplicate (BEL0446-DUP2)		**Source: 23L0778-01**			Prepared & Analyzed: 12/14/2023					
Nitrate Nitrogen as NO3N	0.6		0.1	mg/L		0.5			1.99	10
Duplicate (BEL0446-DUP3)		**Source: 23L0691-01**			Prepared & Analyzed: 12/14/2023					
Nitrate Nitrogen as NO3N	0.02		0.1	mg/L		0.02				10
Duplicate (BEL0446-DUP4)		**Source: 23L0774-09**			Prepared & Analyzed: 12/14/2023					
Nitrate Nitrogen as NO3N	0.04		0.1	mg/L		0.03			5.71	10
Matrix Spike (BEL0446-MS1)		**Source: 23L0776-07**			Prepared & Analyzed: 12/13/2023					
Nitrate Nitrogen as NO3N	12.7		0.1	mg/L	5.000	7.6	102	90-110		
Matrix Spike (BEL0446-MS2)		**Source: 23L0778-01**			Prepared & Analyzed: 12/14/2023					
Nitrate Nitrogen as NO3N	5.3		0.1	mg/L	5.000	0.5	95.6	90-110		

The results in this report apply to the samples as received and were analyzed in accordance with the chain of custody document. This analytical report must be reproduced in its entirety. All results listed in this report are for the exclusive use of the submitting party. Dellavalle Laboratory, Inc. assumes no responsibility for report alteration, separation, detachment or third party interpretation.

DELLAVALLE™ LABORATORY INC

Antonio Azevedo Dairies
2025 W El Nido Road
El Nido, CA 95317

Account# 00-0021345
Account Manager: Ben Nydam
Submitted By: Antonio & Alexandria Azevedo
Ranch: Azevedo Dairy #3

Received: 12/13/2023 7:00
Reported: 12/20/2023 14:29

Quality Control
(Continued)

Analyte	Result	Qual	Reporting Limit	Units	Spike Level	Source Result	%REC	%REC Limits	RPD	RPD Limit
Batch: BEL0446 (Continued)										
Matrix Spike (BEL0446-MS3)			**Source: 23L0691-01**		Prepared & Analyzed: 12/14/2023					
Nitrate Nitrogen as NO3N	4.8		0.1	mg/L	5.000	0.02	96.5	90-110		
Matrix Spike (BEL0446-MS4)			**Source: 23L0774-09**		Prepared & Analyzed: 12/14/2023					
Nitrate Nitrogen as NO3N	4.8		0.1	mg/L	5.000	0.03	95.8	90-110		
Reference (BEL0446-SRM1)					Prepared & Analyzed: 12/13/2023					
Nitrate Nitrogen as NO3N	9.7			mg/L	10.00		96.9	90-110		
Reference (BEL0446-SRM2)					Prepared & Analyzed: 12/13/2023					
Nitrate Nitrogen as NO3N	9.6			mg/L	10.00		96.5	90-110		
Reference (BEL0446-SRM3)					Prepared & Analyzed: 12/14/2023					
Nitrate Nitrogen as NO3N	9.7			mg/L	10.00		96.5	90-110		
Reference (BEL0446-SRM4)					Prepared & Analyzed: 12/14/2023					
Nitrate Nitrogen as NO3N	9.8			mg/L	10.00		98.1	90-110		
Reference (BEL0446-SRM5)					Prepared & Analyzed: 12/14/2023					
Nitrate Nitrogen as NO3N	9.6			mg/L	10.00		95.6	90-110		

The results in this report apply to the samples as received and were analyzed in accordance with the chain of custody document. This analytical report must be reproduced in its entirety. All results listed in this report are for the exclusive use of the submitting party. Dellavalle Laboratory, Inc. assumes no responsibility for report alteration, separation, detachment or third party interpretation.

DELLAVALLE™
LABORATORY INC

Antonio Azevedo Dairies
2025 W El Nido Road
El Nido, CA 95317

Account# 00-0021345
Account Manager: Ben Nydam
Submitted By: Antonio & Alexandria Azevedo
Ranch: Azevedo Dairy #3

Received: 12/13/2023 7:00
Reported: 12/20/2023 14:29

Quality Control
(Continued)

Analyte	Result	Qual	Reporting Limit	Units	Spike Level	Source Result	%REC	%REC Limits	RPD	RPD Limit
Batch: BEL0616										
Blank (BEL0616-BLK1)					Prepared & Analyzed: 12/14/2023					
Electrical Conductivity	ND		0.01	mmhos/cm						
Temperature	25.0		0.0	units						
pH	5.6		1.0	units						
Electrical Conductivity umhos	ND		10.0	umhos/cm						
Blank (BEL0616-BLK2)					Prepared & Analyzed: 12/14/2023					
Electrical Conductivity	ND		0.01	mmhos/cm						
Temperature	25.0		0.0	units						
Electrical Conductivity umhos	ND		10.0	umhos/cm						
pH	7.6		1.0	units						
Blank (BEL0616-BLK3)					Prepared & Analyzed: 12/14/2023					
Electrical Conductivity	ND		0.01	mmhos/cm						
Temperature	25.0		0.0	units						
Electrical Conductivity umhos	ND		10.0	umhos/cm						
pH	7.4		1.0	units						
Duplicate (BEL0616-DUP1)		**Source: 23L0777-02**			Prepared & Analyzed: 12/14/2023					
Electrical Conductivity	0.90		0.01	mmhos/cm		0.90			0.0779	10
Electrical Conductivity umhos	899		10.0	umhos/cm		898			0.0779	10
pH	7.5		1.0	units		7.5			0.00	10
Duplicate (BEL0616-DUP2)		**Source: 23L0780-02**			Prepared & Analyzed: 12/14/2023					
Electrical Conductivity	0.45		0.01	mmhos/cm		0.44			1.88	10
pH	7.5		1.0	units		7.4			0.402	10
Electrical Conductivity umhos	446		10.0	umhos/cm		438			1.88	10
Reference (BEL0616-SRM1)					Prepared & Analyzed: 12/14/2023					
Electrical Conductivity	441			umhos/cm	426.0		103	90-110		
Reference (BEL0616-SRM2)					Prepared & Analyzed: 12/14/2023					
pH	7.5			units	7.520		100	67021-101.32		
Reference (BEL0616-SRM3)					Prepared & Analyzed: 12/14/2023					
Electrical Conductivity	1050			umhos/cm	1000		105	90-110		
Electrical Conductivity umhos	1050			umhos/cm	1000		105	90-110		
Reference (BEL0616-SRM4)					Prepared & Analyzed: 12/14/2023					
Electrical Conductivity	1020			umhos/cm	1000		102	90-110		
Electrical Conductivity umhos	1020			umhos/cm	1000		102	90-110		
Reference (BEL0616-SRM5)					Prepared & Analyzed: 12/14/2023					
Electrical Conductivity	1030			umhos/cm	1000		103	90-110		

The results in this report apply to the samples as received and were analyzed in accordance with the chain of custody document. This analytical report must be reproduced in its entirety. All results listed in this report are for the exclusive use of the submitting party. Dellavalle Laboratory, Inc. assumes no responsibility for report alteration, separation, detachment or third party interpretation.

DELLAVALLE™ LABORATORY INC

Antonio Azevedo Dairies
2025 W El Nido Road
El Nido, CA 95317

Account# 00-0021345
Account Manager: Ben Nydam
Submitted By: Antonio & Alexandria Azevedo
Ranch: Azevedo Dairy #3

Received: 12/13/2023 7:00
Reported: 12/20/2023 14:29

Quality Control
(Continued)

Analyte	Result	Qual	Reporting Limit	Units	Spike Level	Source Result	%REC	%REC Limits	RPD	RPD Limit
Batch: BEL0616 (Continued)										
Reference (BEL0616-SRM5)					Prepared & Analyzed: 12/14/2023					
Electrical Conductivity umhos	1030			umhos/cm	1000		103	90-110		
Reference (BEL0616-SRM6)					Prepared & Analyzed: 12/14/2023					
pH	4.0			units	4.000		101	97.5-102.5		
Reference (BEL0616-SRM7)					Prepared & Analyzed: 12/14/2023					
pH	4.0			units	4.000		100	97.5-102.5		
Reference (BEL0616-SRM8)					Prepared & Analyzed: 12/14/2023					
pH	4.0			units	4.000		100	97.5-102.5		

The results in this report apply to the samples as received and were analyzed in accordance with the chain of custody document. This analytical report must be reproduced in its entirety. All results listed in this report are for the exclusive use of the submitting party. Dellavalle Laboratory, Inc. assumes no responsibility for report alteration, separation, detachment or third party interpretation.

DELLAVALLE™ LABORATORY INC

Antonio Azevedo Dairies
2025 W El Nido Road
El Nido, CA 95317

Account# 00-0021345
Account Manager: Ben Nydam
Submitted By: Antonio & Alexandria Azevedo
Ranch: Azevedo Dairy #3

Received: 12/13/2023 7:00
Reported: 12/20/2023 14:29

Quality Control
(Continued)

Analyte	Result	Qual	Reporting Limit	Units	Spike Level	Source Result	%REC	%REC Limits	RPD	RPD Limit
Batch: BEL0645										
Blank (BEL0645-BLK1)					Prepared & Analyzed: 12/14/2023					
Electrical Conductivity	ND		0.01	mmhos/cm						
Temperature	25.0		0.0	units						
Electrical Conductivity umhos	ND		10.0	umhos/cm						
pH	5.5		1.0	units						
Blank (BEL0645-BLK2)					Prepared & Analyzed: 12/14/2023					
Electrical Conductivity	ND		0.01	mmhos/cm						
Temperature	25.0		0.0	units						
pH	7.8		1.0	units						
Electrical Conductivity umhos	ND		10.0	umhos/cm						
Blank (BEL0645-BLK3)					Prepared & Analyzed: 12/14/2023					
Temperature	25.0		0.0	units						
Electrical Conductivity	ND		0.01	mmhos/cm						
Electrical Conductivity umhos	ND		10.0	umhos/cm						
pH	7.7		1.0	units						
Duplicate (BEL0645-DUP1)		**Source: 23L0784-02**			Prepared & Analyzed: 12/14/2023					
Electrical Conductivity	2.01		0.01	mmhos/cm		2.01			0.105	10
pH	7.8		1.0	units		7.8			0.385	10
Electrical Conductivity umhos	2010		10.0	umhos/cm		2010			0.105	10
Duplicate (BEL0645-DUP2)		**Source: 23L0802-04**			Prepared & Analyzed: 12/14/2023					
Electrical Conductivity	0.44		0.01	mmhos/cm		0.45			1.32	10
pH	9.1		1.0	units		9.1			0.329	10
Electrical Conductivity umhos	442		10.0	umhos/cm		448			1.32	10
Reference (BEL0645-SRM1)					Prepared & Analyzed: 12/14/2023					
Electrical Conductivity	422			umhos/cm	426.0		99.1	90-110		
Reference (BEL0645-SRM2)					Prepared & Analyzed: 12/14/2023					
pH	7.5			units	7.520		100	67021-101.32		
Reference (BEL0645-SRM3)					Prepared & Analyzed: 12/14/2023					
Electrical Conductivity	1010			umhos/cm	1000		101	90-110		
Electrical Conductivity umhos	1010			umhos/cm	1000		101	90-110		
Reference (BEL0645-SRM4)					Prepared & Analyzed: 12/14/2023					
Electrical Conductivity	1030			umhos/cm	1000		103	90-110		
Electrical Conductivity umhos	1030			umhos/cm	1000		103	90-110		
Reference (BEL0645-SRM5)					Prepared & Analyzed: 12/14/2023					
Electrical Conductivity	1030			umhos/cm	1000		103	90-110		

The results in this report apply to the samples as received and were analyzed in accordance with the chain of custody document. This analytical report must be reproduced in its entirety. All results listed in this report are for the exclusive use of the submitting party. Dellavalle Laboratory, Inc. assumes no responsibility for report alteration, separation, detachment or third party interpretation.

DELLAVALLE™
LABORATORY INC

Antonio Azevedo Dairies
2025 W El Nido Road
El Nido, CA 95317

Account# 00-0021345
Account Manager: Ben Nydam
Submitted By: Antonio & Alexandria Azevedo
Ranch: Azevedo Dairy #3

Received: 12/13/2023 7:00
Reported: 12/20/2023 14:29

Quality Control
(Continued)

Analyte	Result	Qual	Reporting Limit	Units	Spike Level	Source Result	%REC	%REC Limits	RPD	RPD Limit
Batch: BEL0645 (Continued)										
Reference (BEL0645-SRM5)					Prepared & Analyzed: 12/14/2023					
Electrical Conductivity umhos	1030			umhos/cm	1000		103	90-110		
Reference (BEL0645-SRM6)					Prepared & Analyzed: 12/14/2023					
pH	4.1			units	4.000		102	97.5-102.5		
Reference (BEL0645-SRM7)					Prepared & Analyzed: 12/14/2023					
pH	4.0			units	4.000		101	97.5-102.5		
Reference (BEL0645-SRM8)					Prepared & Analyzed: 12/14/2023					
pH	4.0			units	4.000		100	97.5-102.5		

The results in this report apply to the samples as received and were analyzed in accordance with the chain of custody document. This analytical report must be reproduced in its entirety. All results listed in this report are for the exclusive use of the submitting party. Dellavalle Laboratory, Inc. assumes no responsibility for report alteration, separation, detachment or third party interpretation.

12/13/23 07:00 23L0780

JG

DELLAVALLE LABORATORY, INC.

1910 W. McKinley Avenue, Suite 110 • Fresno, CA 93728
www.dellavallelab.com 559 233-6126 • 800 228-9896 • Fax 559 268-8174

WATER WORK REQUEST

Bill To: Acct No. 21345 Cons. 8

Purchase Order No. _____ Results Needed By _____

Client: Azevedo Dairies, Antonio
Address: 2025 W El Nido Road
City, State, Zip: El Nido, CA 95317
Phone _____ Fax _____
Cell/Email _____

Copy to: Cardoso Ag Sevices - cas.labs@yahoo.com

Requested by: Antonio & Alexandria Azevedo - (209) 261-4771

Ranch: Azevedo Dairy #3

Date sampled: 12/11/23

Sampled by: NMachado

[X] QA/QC Document [X] Copy of Chain [ ] RWQCB

No. of Samples _____ No. Bottles 4

Water Type: [ ] Drinking [ ] Wastewater
[X] Ag Water [ ] Ground Water [ ] Mon. Well
[ ] Supply Water [ ] Other _____

Analysis and Bottles Required: *(Please Indicate Analysis)*

(X) DWW1: (EC, pH, NO_3-N, **NH_4-N Field Test)**
(1) l L plastic, unpreserved (white)

( ) DWW2: (DWW1 Plus SO_4, CO_3, HCO_3, Cl, Ca, Mg, Na, TDS)
(1) l L plastic, unpreserved (white)

( ) DCW1: (EC, NO_3-N, TDS)
(1) l L plastic, unpreserved (white)

( ) DPW1: (EC, pH, NO_3-N, NH_4-N, TKN, TDS, TP, TK)
(1) l L plastic, unpreserved (white)

( ) DPW2: (DPW1 Plus Ca, Mg, Na, HCO_3, CO_3, SO_4, Cl)
(1) l L plastic, unpreserved (white)

( ) Other _____

DESCRIPTION OF SAMPLES		Date Sampled	Time Sampled	Field NH4-N (mg/L)	Received Temp °C	#/F
1. DW-MB	Sampled From:	12/11/23	630p	Ø	2.3	0.6
2. IW #1	Sampled From:	12/11/23	645p	Ø	2.6	1.7
3. IW #2	Sampled From:	12/11/23	7p	Ø	2.9	1.6
4. IW #3	Sampled From:	12/11/23	615p	Ø	3.6	0.2
5.	Sampled From:					
6.	Sampled From:					
7.	Sampled From:					
8.	Sampled From:					
9.	Sampled From:					
10.	Sampled From:					

IR Thermometer SN: 200560723
Correction Factor: 0°C
Calibration Due: 03/06/2024
Location: Laboratory

IR Thermometer SN: 221511276
Correction Factor: 0°C
Calibration Due: 03/06/2024
Location: Hanford

CHAIN OF CUSTODY

Carrier	Signature	Company	Received (Date/Time)	Relinquished (Date/Time)
First	NMachado	Azevedo Dairy	12/11/23 7p	12/12/23 730A
Second	Mpedroso	CAS INC	12/12/23 730A	12/12/23 330P
Third	[illegible]	DLL	12/12/23 3:34pm	
Fourth	[illegible]	[illegible]	12/13 07:00	

I guarantee that as the client, or on behalf of the client named, I have the authority to contract the above requested services. Should it be found that I do not have such authority, I agree to be personally liable for all costs and, if there should be action against me for this breach, reasonable attorneys' fees. It is understood that payment is expected to be cash with samples unless terms have been previously arranged. Terms are net 30 days; overdue accounts will be charged a dated damage fee of 2% per month (annually 24 %) or $5.00 per month whichever is greater.

If payment is not made when due and a legitimate dispute exists concerning the product or services of Dellavalle Laboratory, Inc., it will be submitted to mediation under the Rules and Procedures of Creative Alternative to Litigation, Inc. (cal). If the dispute is not resolved in mediation, then the dispute will be submitted to binding arbitration through cal under its Rules and Procedures. The prties will equally bear the costs of mediation/arbitration. If, however, the mediator declares that no legitimate dispute exists, then debtor will pay all mediation and arbitration costs, and in the event of arbitration, reasonable attorneys' fees of Dellavalle Laboratory.

Invoicing Information:

Sampling Hrs ____ Miles ____ Consulting ____

Amt Paid ____ Rec By ____ Check No. ____ Date ____

Shipping
$ _____ In
$ _____ Out

Signature _____

Sample received in cooler with ice?
[ ] Yes [ ] No

ctt:update 2020

Shipping Information: Shipped In ☒ Picked-Up ☐ Walk In ☐ DLI Sampler ☐ Other ☐ _____

Container: Ice Chest ☒ Box ☐ None ☐ **Refrigerant:** Wet Ice ☒ Blue Ice ☐ None ☐

Samples Preserved with HNO_3 or H_2SO_4 were: ☐ Received Preserved ☐ Preserved Upon Receipt at Laboratory

Type of Container(s) Received		Sample Number 1	2	3	4	5	6	7	8	9	10
Sample Containers for Internal (DLI) Use *(Containers that go into the Lab)*											
Plastics	100 mL sterile plastic $Na_2S_2O_3$ (Green)										
	250 mL unpreserved (White) Plastic	1	1	1							
	250 mL HNO_3 (Red) Plastic										
	* pH Value										
	250 mL H_2SO_4 (Yellow) Plastic										
	* pH Value										
	500 mL unpreserved (White) Plastic										
	1 L unpreserved (White) Plastic				1						
	1 L unpreserved (BOD) (Purple) Plastic										
"	500mL unpreserved (White) Glass										
	PO4-P Kit										
	Other:										
Sample Containers for Subcontracted ("Send Out") Analyses *(Containers that go in the Subcontract ("Send Out") Refrigerator)*											
Plastics	100 mL sterile plastic $Na_2S_2O_3$ (Green)										
	250 mL unpreserved (White) Plastic										
	250 mL HNO_3 (Red) Plastic										
	250 mL H_2SO_4 (Yellow) Plastic										
	500 mL HNO_3 (Red)										
	1 L unpreserved (White) Plastic										
	1 L unpreserved (BOD) (Purple) Plastic										
	1 L HNO_3 (Red)										
VOA Vials	40 mL AG VOA, $Na_2S_2O_3$ + MCAA										
	40 mL AG VOA, $Na_2S_2O_3$										
	40mL AG VOA unpreserved (White) (Set of 3										
	40 mL AG VOA, $Na_2S_2O_3$ (Green) (Set of 3)										
	40mL VOA, H_3PO_4 (Set of 3)										
	40 mL VOA, HCl (Blue) (Set of 3)										
	40 mL VOA, $Na_2S_2O_3$ (Green) (Set of 3)										
Glass	250 mL AG unpreserved (White)										
	250 mL AG H_2SO_4 (Yellow)										
	250 mL AG $Na_2S_2O_3$ (Green)										
	250 mL AG $Na_2S_2O_3$ + MCAA										
	500 mL glass unpreserved (White)										
	500 mL AG HCl (Blue)										
	1 L AG unpreserved (White)										
	1 L AG H_2SO_4 (Yellow)										
	1 L AG $Na_2S_2O_3$ (Green)										
	1 L AG HCl (Blue)										
Special	Cr^{6+} - 50mL Plastic w/Borate/HCO_3/CO_3										
	Cyanide - 500 mL NaOH										
	Asbestos - 1L P wrapped in foil (Set of 2)										
	Sulfide - 1 L **AG** or **P** NaOH + ZnAc										
	Chlorite/Bromate - 250 mL AG with EDA										
	HAA5 - 250mL AG Ammonium Chlorite										
	DO KIT										
	Other:										
	Other:										

12/13/23 07:00 23L0780

SEND OUT