CALIFORNIA REGIONAL WATER QUALITY CONTROL BOARD

CENTRAL VALLEY REGION
11020 SUN CENTER DR #200
RANCHO CORDOVA CA 95670-6114

2023 ANNUAL REPORT

PREPARED FOR:

JOHAL DAIRY

315 N PRAIRIE FLOWER RD

TURLOCK CA 95380

NOTES:

PREPARED BY:

CARDOSO AG SERVICES

PO BOX 906
NEWMAN CA 95360

Annual Report - General Order No. R5-2007-0035
Reporting period 01/01/2023 to 12/31/2023.

DAIRY FACILITY INFORMATION

A. NAME OF DAIRY OR BUSINESS OPERATING THE DAIRY: JOHAL DAIRY

Physical address of dairy:

315 N PRAIRIE FLOWER ROAD	TURLOCK	Stanislaus	95380
Number and Street	City	County	Zip Code

Street and nearest cross street (if no address):

Date facility was originally placed in operation: 02/15/1992

Regional Water Quality Control Board Basin Plan designation: San Joaquin River Basin

County Assessor Parcel Number(s) for dairy facility:

X022-X045-X032-XXXX

B. OPERATORS

JOHAL, GURDIAL & SURINDER

Operator name: JOHAL, GURDIAL & SURINDER

Telephone no.: (209) 634-7817 Landline (209) 678-2383 Cellular

6354 W. ZEERING ROAD	TURLOCK	CA	95380
Mailing Address Number and Street	City	State	Zip Code

This operator is responsible for paying permit fees.

C. OWNERS

JOHAL, GURDIAL & SURINDER

Legal owner name: JOHAL, GURDIAL & SURINDER

Telephone no.: (209) 634-7817 Landline (209) 678-2383 Cellular

6354 W. ZEERING ROAD	TURLOCK	CA	95380
Mailing Address Number and Street	City	State	Zip Code

This owner is responsible for paying permit fees.

Annual Report - General Order No. R5-2007-0035
Reporting period 01/01/2023 to 12/31/2023.

AVAILABLE NUTRIENTS

A. HERD INFORMATION

	Milk Cows	Dry Cows	Bred Heifers (15-24 mo.)	Heifers (7-14 mo. to breeding)	Calves (4-6 mo.)	Calves (0-3 mo.)
Number open confinement	0	0	0	0	0	0
Number under roof	315	58	101	60	0	0
Maximum number	315	58	101	60	0	0
Average number	315	58	101	60	0	0
Avg live weight (lbs)	100	1,050	725	665		

Predominant milk cow breed: Jersey

Average milk production: 49 *pounds per cow per day*

B. MANURE GENERATED

Total manure excreted by the herd: 9,579.16 *tons per reporting period*

Total nitrogen from manure: 121,358.18 *lbs per reporting period*

After ammonia losses (30% loss applied): 84,950.73 *lbs per reporting period*

Total phosphorus from manure: 20,001.51 *lbs per reporting period*

Total potassium from manure: 55,979.35 *lbs per reporting period*

Total salt from manure: 161,654.85 *lbs per reporting period*

C. PROCESS WASTEWATER GENERATED

Process wastewater generated: 8,349,600 *gallons*

Total nitrogen generated: 24,011.99 *lbs*

Total phosphorus generated: 5,402.32 *lbs*

Total potassium generated: 38,224.09 *lbs*

Total salt generated: 209,128.97 *lbs*

	8,829,600	*gallons applied*
+	0	*gallons exported*
-	480,000	*gallons imported*
=	8,349,600	*gallons generated*

D. FRESH WATER SOURCES

Source Description	Type
Canal	Surface water
Domestic Well	Ground water
Irrigation Well	Ground water
Irrigation Well - Average	Ground water

E. SUBSURFACE (TILE) DRAINAGE SOURCES

No subsurface (tile) drainage sources entered.

F. NUTRIENT IMPORTS

No dry manure nutrient imports entered.

Date	Material type / Description	Quantity	N (mg/L)	P (mg/L)	K (mg/L)	Salt (mg/L)	TDS (mg/L)
03/05/2023	Process wastewater *Imported Lagoon Water from Double D Dairy*	240,000.00 *gal*	1,070.00	133.00	1,040.00		4,700
03/18/2023	Process wastewater *Imported Lagoon Water from Double D Dairy*	240,000.00 *gal*	1,070.00	133.00	1,040.00		4,700

No commercial or other nutrient imports entered.

Material type	Total N (lbs)	Total P (lbs)	Total K (lbs)	Total salt (lbs)
Commercial fertilizer / Other	0.00	0.00	0.00	0.00
Dry manure	0.00	0.00	0.00	0.00
Process wastewater	4,285.99	532.74	4,165.82	18,826.32
Total imports for all materials	4,285.99	532.74	4,165.82	18,826.32

G. NUTRIENT EXPORTS

No solid nutrient exports entered.

No liquid nutrient exports entered.

APPLICATION AREA

A. LIST OF LAND APPLICATION AREAS

Field name	Controlled acres	Cropable acres	Total harvests	Type of waste applied	Parcel number
Field 1 (Home)	30	30	2	both	X022-X045-X032-XXXX
Field 10 (Washington)	85	85	2	manure	X087-X003-X001-XXXX
Field 11 (New)	21	21	2	both	X022-X016-X013-XXXX
Field 2 (West Main)	27	27	2	both	X022-X045-X038-XXXX
Field 3 (Monte Vista)	20	20	2	manure	X022-X016-X030-XXXX
Field 7 (Faith Home)	40	40	2	none	X023-X002-X003-XXXX
Field 8 (Williams)	35	35	2	none	X045-X230-X066-XXXX
Field 9 (Highway 99)	35	35	2	manure	X087-X003-X002-XXXX
Totals for areas that were used for application	218	218	12		
Totals for areas that were not used for application	75	75	4		
Land application area totals	293	293	16		

B. CROPS AND HARVESTS

Field 1 (Home)

Field name: Field 1 (Home)

11/07/2022: Oats, silage-soft dough

Crop: Oats, silage-soft dough Acres planted: 30 Plant date: 11/07/2022

Harvest date	Yield	Reporting basis	Density (lbs/cu ft)	Moisture (%)	N (mg/kg)	P (mg/kg)	K (mg/kg)	Salt (mg/kg)	TFS (%)
05/15/2023	540.00 *ton*	Dry-weight		62.7	15,700.00	3,100.00	32,200.00		9.50

	Yield (tons/acre)	Total N (lbs/acre)	Total P (lbs/acre)	Total K (lbs/acre)	Salt (lbs/acre)
Anticipated harvest content	16.00	160.00	25.60	132.80	0.00
Total actual harvest content	18.00	210.82	41.63	432.38	1,275.66

Field 1 (Home)

05/26/2023: Corn, silage

Crop: Corn, silage Acres planted: 30 Plant date: 05/26/2023

Harvest date	Yield	Reporting basis	Density (lbs/cu ft)	Moisture (%)	N (mg/kg)	P (mg/kg)	K (mg/kg)	Salt (mg/kg)	TFS (%)
10/02/2023	840.00 *ton*	Dry-weight		60.4	10,000.00	2,100.00	13,300.00		5.50

	Yield (tons/acre)	Total N (lbs/acre)	Total P (lbs/acre)	Total K (lbs/acre)	Salt (lbs/acre)
Anticipated harvest content	30.00	240.00	45.00	198.00	0.00
Total actual harvest content	28.00	221.76	46.57	294.94	1,219.68

Field 10 (Washington)

Field name: Field 10 (Washington)

11/14/2022: Wheat Hay

Crop: Wheat Hay Acres planted: 85 Plant date: 11/14/2022

Harvest date	Yield	Reporting basis	Density (lbs/cu ft)	Moisture (%)	N (mg/kg)	P (mg/kg)	K (mg/kg)	Salt (mg/kg)	TFS (%)
05/28/2023	510.00 *ton*	Dry-weight		6.6	10,700.00	2,400.00	18,400.00		4.20

	Yield (tons/acre)	Total N (lbs/acre)	Total P (lbs/acre)	Total K (lbs/acre)	Salt (lbs/acre)
Anticipated harvest content	4.00	160.00	26.00	60.00	0.00
Total actual harvest content	6.00	119.93	26.90	206.23	470.74

06/15/2023: Corn, silage

Crop: Corn, silage Acres planted: 85 Plant date: 06/15/2023

Harvest date	Yield	Reporting basis	Density (lbs/cu ft)	Moisture (%)	N (mg/kg)	P (mg/kg)	K (mg/kg)	Salt (mg/kg)	TFS (%)
10/20/2023	2,210.00 *ton*	Dry-weight		57.8	11,400.00	2,500.00	9,900.00		4.60

	Yield (tons/acre)	Total N (lbs/acre)	Total P (lbs/acre)	Total K (lbs/acre)	Salt (lbs/acre)
Anticipated harvest content	30.00	240.00	45.00	198.00	0.00
Total actual harvest content	26.00	250.16	54.86	217.25	1,009.42

Field 11 (New)

Field name: Field 11 (New)

11/21/2022: Oats, silage-soft dough

Crop: Oats, silage-soft dough Acres planted: 21 Plant date: 11/21/2022

Harvest date	Yield	Reporting basis	Density (lbs/cu ft)	Moisture (%)	N (mg/kg)	P (mg/kg)	K (mg/kg)	Salt (mg/kg)	TFS (%)
05/24/2023	378.00 *ton*	Dry-weight		70.0	25,400.00	3,700.00	32,800.00		11.60

	Yield (tons/acre)	Total N (lbs/acre)	Total P (lbs/acre)	Total K (lbs/acre)	Salt (lbs/acre)
Anticipated harvest content	16.00	160.00	25.60	132.80	0.00
Total actual harvest content	18.00	274.32	39.96	354.24	1,252.80

05/31/2023: Corn, silage

Crop: Corn, silage Acres planted: 21 Plant date: 05/31/2023

Harvest date	Yield	Reporting basis	Density (lbs/cu ft)	Moisture (%)	N (mg/kg)	P (mg/kg)	K (mg/kg)	Salt (mg/kg)	TFS (%)
10/13/2023	609.00 *ton*	Dry-weight		70.0	11,500.00	2,400.00	7,500.00		5.80

	Yield (tons/acre)	Total N (lbs/acre)	Total P (lbs/acre)	Total K (lbs/acre)	Salt (lbs/acre)
Anticipated harvest content	30.00	240.00	45.00	198.00	0.00
Total actual harvest content	29.00	200.10	41.76	130.50	1,009.20

Field 2 (West Main)

Field name: Field 2 (West Main)

11/07/2022: Oats, silage-soft dough

Crop: Oats, silage-soft dough Acres planted: 27 Plant date: 11/07/2022

Harvest date	Yield	Reporting basis	Density (lbs/cu ft)	Moisture (%)	N (mg/kg)	P (mg/kg)	K (mg/kg)	Salt (mg/kg)	TFS (%)
05/15/2023	486.00 *ton*	Dry-weight		66.7	17,400.00	3,500.00	32,200.00		10.10

	Yield (tons/acre)	Total N (lbs/acre)	Total P (lbs/acre)	Total K (lbs/acre)	Salt (lbs/acre)
Anticipated harvest content	16.00	160.00	25.60	132.80	0.00
Total actual harvest content	18.00	208.59	41.96	386.01	1,210.79

Field 2 (West Main)

05/26/2023: Corn, silage

Crop: Corn, silage Acres planted: 27 Plant date: 05/26/2023

Harvest date	Yield	Reporting basis	Density (lbs/cu ft)	Moisture (%)	N (mg/kg)	P (mg/kg)	K (mg/kg)	Salt (mg/kg)	TFS (%)
10/02/2023	756.00 *ton*	Dry-weight		60.0	11,000.00	2,000.00	11,500.00		4.80

	Yield (tons/acre)	Total N (lbs/acre)	Total P (lbs/acre)	Total K (lbs/acre)	Salt (lbs/acre)
Anticipated harvest content	30.00	240.00	45.00	198.00	0.00
Total actual harvest content	28.00	246.40	44.80	257.60	1,075.20

Field 3 (Monte Vista)

Field name: Field 3 (Monte Vista)

11/21/2022: Oats, silage-soft dough

Crop: Oats, silage-soft dough Acres planted: 20 Plant date: 11/21/2022

Harvest date	Yield	Reporting basis	Density (lbs/cu ft)	Moisture (%)	N (mg/kg)	P (mg/kg)	K (mg/kg)	Salt (mg/kg)	TFS (%)
05/24/2023	360.00 *ton*	Dry-weight		70.0	24,200.00	3,400.00	30,600.00		10.30

	Yield (tons/acre)	Total N (lbs/acre)	Total P (lbs/acre)	Total K (lbs/acre)	Salt (lbs/acre)
Anticipated harvest content	16.00	160.00	25.60	132.80	0.00
Total actual harvest content	18.00	261.36	36.72	330.48	1,112.40

05/31/2023: Corn, silage

Crop: Corn, silage Acres planted: 20 Plant date: 05/31/2023

Harvest date	Yield	Reporting basis	Density (lbs/cu ft)	Moisture (%)	N (mg/kg)	P (mg/kg)	K (mg/kg)	Salt (mg/kg)	TFS (%)
10/13/2023	580.00 *ton*	Dry-weight		55.2	12,100.00	2,300.00	11,900.00		4.70

	Yield (tons/acre)	Total N (lbs/acre)	Total P (lbs/acre)	Total K (lbs/acre)	Salt (lbs/acre)
Anticipated harvest content	30.00	240.00	45.00	198.00	0.00
Total actual harvest content	29.00	314.41	59.76	309.21	1,221.25

Field 7 (Faith Home)

Field name: Field 7 (Faith Home)

11/05/2020: Alfalfa, hay

Crop: Alfalfa, hay Acres planted: 40 Plant date: 11/05/2020

Harvest date	Yield	Reporting basis	Density (lbs/cu ft)	Moisture (%)	N (mg/kg)	P (mg/kg)	K (mg/kg)	Salt (mg/kg)	TFS (%)
05/15/2023	180.00 *ton*	Dry-weight		8.0	42,500.00	3,600.00	41,800.00		12.00
07/02/2023	180.00 *ton*	Dry-weight		6.2	20,300.00	1,800.00	18,500.00		8.10

	Yield (tons/acre)	Total N (lbs/acre)	Total P (lbs/acre)	Total K (lbs/acre)	Salt (lbs/acre)
Anticipated harvest content	8.00	480.00	43.20	336.00	0.00
Total actual harvest content	9.00	523.27	45.00	502.28	1,677.40

Field 8 (Williams)

Field name: Field 8 (Williams)

10/22/2021: Alfalfa, hay

Crop: Alfalfa, hay Acres planted: 35 Plant date: 10/22/2021

Harvest date	Yield	Reporting basis	Density (lbs/cu ft)	Moisture (%)	N (mg/kg)	P (mg/kg)	K (mg/kg)	Salt (mg/kg)	TFS (%)
05/22/2023	175.00 *ton*	Dry-weight		16.0	33,900.00	3,400.00	24,600.00		9.80
07/02/2023	175.00 *ton*	Dry-weight		16.0	33,900.00	3,400.00	24,600.00		9.80

	Yield (tons/acre)	Total N (lbs/acre)	Total P (lbs/acre)	Total K (lbs/acre)	Salt (lbs/acre)
Anticipated harvest content	8.00	480.00	43.20	336.00	0.00
Total actual harvest content	10.00	569.52	57.12	413.28	1,646.40

Field 9 (Highway 99)

Field name: Field 9 (Highway 99)

Field 9 (Highway 99)

11/14/2022: Wheat Hay

Crop: Wheat Hay Acres planted: 35 Plant date: 11/14/2022

Harvest date	Yield	Reporting basis	Density (lbs/cu ft)	Moisture (%)	N (mg/kg)	P (mg/kg)	K (mg/kg)	Salt (mg/kg)	TFS (%)
05/28/2023	210.00 *ton*	Dry-weight		6.6	10,700.00	2,400.00	18,400.00		4.20

	Yield (tons/acre)	Total N (lbs/acre)	Total P (lbs/acre)	Total K (lbs/acre)	Salt (lbs/acre)
Anticipated harvest content	4.00	160.00	26.00	60.00	0.00
Total actual harvest content	6.00	119.93	26.90	206.23	470.74

06/15/2023: Corn, silage

Crop: Corn, silage Acres planted: 35 Plant date: 06/15/2023

Harvest date	Yield	Reporting basis	Density (lbs/cu ft)	Moisture (%)	N (mg/kg)	P (mg/kg)	K (mg/kg)	Salt (mg/kg)	TFS (%)
10/20/2023	910.00 *ton*	Dry-weight		58.6	10,400.00	2,500.00	9,800.00		4.40

	Yield (tons/acre)	Total N (lbs/acre)	Total P (lbs/acre)	Total K (lbs/acre)	Salt (lbs/acre)
Anticipated harvest content	30.00	240.00	45.00	198.00	0.00
Total actual harvest content	26.00	223.89	53.82	210.97	947.23

NUTRIENT BUDGET

A. LAND APPLICATIONS

Field 1 (Home) - 11/07/2022: Oats, silage-soft dough

Field name: Field 1 (Home)

Crop: Oats, silage-soft dough Plant date: 11/07/2022

Application date	Application method	Precipitation 24 hours prior	Precipitation during application	Precipitation 24 hours following
09/28/2022	Broadcast/incorporate	No precipitation	No precipitation	No precipitation

Source description	Material type	N (lbs/acre)	P (lbs/acre)	K (lbs/acre)	Salt (lbs/acre)	Amount
Solid Manure	Separator solids	116.27	29.74	57.32	0.00	390.00 *ton*
Application event totals		116.27	29.74	57.32	0.00	

Application date	Application method	Precipitation 24 hours prior	Precipitation during application	Precipitation 24 hours following
10/10/2022	Surface (irrigation)	No precipitation	No precipitation	No precipitation

Source description	Material type	N (lbs/acre)	P (lbs/acre)	K (lbs/acre)	Salt (lbs/acre)	Amount
Lagoon Water	Process wastewater	72.55	17.41	109.59	850.52	840,000.00 *gal*
Canal	Surface water	6.28	0.00	0.00	0.00	3,527,542.00 *gal*
Application event totals		78.83	17.41	109.59	850.52	

Application date	Application method	Precipitation 24 hours prior	Precipitation during application	Precipitation 24 hours following
04/11/2023	Surface (irrigation)	No precipitation	No precipitation	No precipitation

Source description	Material type	N (lbs/acre)	P (lbs/acre)	K (lbs/acre)	Salt (lbs/acre)	Amount
Lagoon Water	Process wastewater	83.69	19.63	146.55	878.56	672,000.00 *gal*
Canal	Surface water	9.87	0.00	0.00	0.00	5,543,266.00 *gal*
Application event totals		93.56	19.63	146.55	878.56	

Field 1 (Home) - 05/26/2023: Corn, silage

Field name: Field 1 (Home)

Crop: Corn, silage Plant date: 05/26/2023

Application date	Application method	Precipitation 24 hours prior	Precipitation during application	Precipitation 24 hours following

Field 1 (Home) - 05/26/2023: Corn, silage

Application date	Application method	Precipitation 24 hours prior	Precipitation during application	Precipitation 24 hours following
05/24/2023	Surface (irrigation)	No precipitation	No precipitation	No precipitation

Source description	Material type	N (lbs/acre)	P (lbs/acre)	K (lbs/acre)	Salt (lbs/acre)	Amount
Lagoon Water	Process wastewater	83.69	19.63	146.55	878.56	672,000.00 *gal*
Canal	Surface water	8.97	0.00	0.00	0.00	5,039,327.00 *gal*
Application event totals		92.66	19.63	146.55	878.56	

07/07/2023	Surface (irrigation)	No precipitation	No precipitation	No precipitation

Source description	Material type	N (lbs/acre)	P (lbs/acre)	K (lbs/acre)	Salt (lbs/acre)	Amount
Lagoon Water	Process wastewater	58.51	12.29	86.40	341.61	714,000.00 *gal*
Canal	Surface water	10.32	0.00	0.00	0.00	5,795,219.00 *gal*
Application event totals		68.83	12.29	86.40	341.61	

07/18/2023	Surface (irrigation)	No precipitation	No precipitation	No precipitation

Source description	Material type	N (lbs/acre)	P (lbs/acre)	K (lbs/acre)	Salt (lbs/acre)	Amount
Canal	Surface water	6.28	0.00	0.00	0.00	3,527,542.00 *gal*
Application event totals		6.28	0.00	0.00	0.00	

07/28/2023	Surface (irrigation)	No precipitation	No precipitation	No precipitation

Source description	Material type	N (lbs/acre)	P (lbs/acre)	K (lbs/acre)	Salt (lbs/acre)	Amount
Lagoon Water	Process wastewater	55.07	11.57	81.31	321.52	672,000.00 *gal*
Canal	Surface water	6.28	0.00	0.00	0.00	3,527,542.00 *gal*
Application event totals		61.35	11.57	81.31	321.52	

08/06/2023	Surface (irrigation)	No precipitation	No precipitation	No precipitation

Source description	Material type	N (lbs/acre)	P (lbs/acre)	K (lbs/acre)	Salt (lbs/acre)	Amount
Canal	Surface water	5.38	0.00	0.00	0.00	3,023,602.00 *gal*
Application event totals		5.38	0.00	0.00	0.00	

Field 1 (Home) - 05/26/2023: Corn, silage

Application date	Application method	Precipitation 24 hours prior	Precipitation during application	Precipitation 24 hours following
08/15/2023	Surface (irrigation)	No precipitation	No precipitation	No precipitation

Source description	Material type	N (lbs/acre)	P (lbs/acre)	K (lbs/acre)	Salt (lbs/acre)	Amount
Lagoon Water	Process wastewater	58.17	12.22	85.89	339.60	709,800.00 *gal*
Canal	Surface water	6.28	0.00	0.00	0.00	3,527,542.00 *gal*
Application event totals		64.45	12.22	85.89	339.60	

Application date	Application method	Precipitation 24 hours prior	Precipitation during application	Precipitation 24 hours following
09/06/2023	Surface (irrigation)	No precipitation	No precipitation	No precipitation

Source description	Material type	N (lbs/acre)	P (lbs/acre)	K (lbs/acre)	Salt (lbs/acre)	Amount
Canal	Surface water	5.38	0.00	0.00	0.00	3,023,602.00 *gal*
Application event totals		5.38	0.00	0.00	0.00	

Field 10 (Washington) - 11/14/2022: Wheat Hay

Field name: Field 10 (Washington)

Crop: Wheat Hay

Plant date: 11/14/2022

Application date	Application method	Precipitation 24 hours prior	Precipitation during application	Precipitation 24 hours following
09/29/2022	Broadcast/incorporate	No precipitation	No precipitation	No precipitation

Source description	Material type	N (lbs/acre)	P (lbs/acre)	K (lbs/acre)	Salt (lbs/acre)	Amount
Solid Manure	Separator solids	116.27	29.74	57.32	0.00	1,105.00 *ton*
Application event totals		116.27	29.74	57.32	0.00	

Application date	Application method	Precipitation 24 hours prior	Precipitation during application	Precipitation 24 hours following
10/07/2022	Surface (irrigation)	No precipitation	No precipitation	No precipitation

Source description	Material type	N (lbs/acre)	P (lbs/acre)	K (lbs/acre)	Salt (lbs/acre)	Amount
Canal	Surface water	6.50	0.00	0.00	0.00	10,348,629.00 *gal*
Application event totals		6.50	0.00	0.00	0.00	

Application date	Application method	Precipitation 24 hours prior	Precipitation during application	Precipitation 24 hours following
04/14/2023	Surface (irrigation)	No precipitation	No precipitation	No precipitation

Source description	Material type	N (lbs/acre)	P (lbs/acre)	K (lbs/acre)	Salt (lbs/acre)	Amount
Canal	Surface water	5.38	0.00	0.00	0.00	8,558,395.00 *gal*
Application event totals		5.38	0.00	0.00	0.00	

Field 10 (Washington) - 11/14/2022: Wheat Hay

Application date	Application method	Precipitation 24 hours prior	Precipitation during application	Precipitation 24 hours following
04/24/2023	Surface (irrigation)	No precipitation	No precipitation	No precipitation

Source description	Material type	N (lbs/acre)	P (lbs/acre)	K (lbs/acre)	Salt (lbs/acre)	Amount
Canal	Surface water	4.64	0.00	0.00	0.00	7,377,920.00 *gal*
Application event totals		4.64	0.00	0.00	0.00	

Field 10 (Washington) - 06/15/2023: Corn, silage

Field name: Field 10 (Washington)

Crop: Corn, silage

Plant date: 06/15/2023

Application date	Application method	Precipitation 24 hours prior	Precipitation during application	Precipitation 24 hours following
05/31/2023	Broadcast/incorporate	No precipitation	No precipitation	No precipitation

Source description	Material type	N (lbs/acre)	P (lbs/acre)	K (lbs/acre)	Salt (lbs/acre)	Amount
Solid Manure	Separator solids	211.80	85.37	511.14	2,852.85	1,658.00 *ton*
Application event totals		211.80	85.37	511.14	2,852.85	

06/13/2023	Surface (irrigation)	No precipitation	No precipitation	No precipitation

Source description	Material type	N (lbs/acre)	P (lbs/acre)	K (lbs/acre)	Salt (lbs/acre)	Amount
Canal	Surface water	8.47	0.00	0.00	0.00	13,479,582.00 *gal*
Application event totals		8.47	0.00	0.00	0.00	

07/21/2023	Surface (irrigation)	No precipitation	No precipitation	No precipitation

Source description	Material type	N (lbs/acre)	P (lbs/acre)	K (lbs/acre)	Salt (lbs/acre)	Amount
Canal	Surface water	9.41	0.00	0.00	0.00	14,978,162.00 *gal*
Application event totals		9.41	0.00	0.00	0.00	

07/31/2023	Surface (irrigation)	No precipitation	No precipitation	No precipitation

Source description	Material type	N (lbs/acre)	P (lbs/acre)	K (lbs/acre)	Salt (lbs/acre)	Amount
Canal	Surface water	5.17	0.00	0.00	0.00	8,221,121.00 *gal*
Application event totals		5.17	0.00	0.00	0.00	

Field 10 (Washington) - 06/15/2023: Corn, silage

Application date	Application method	Precipitation 24 hours prior	Precipitation during application	Precipitation 24 hours following
08/10/2023	Surface (irrigation)	No precipitation	No precipitation	No precipitation

Source description	Material type	N (lbs/acre)	P (lbs/acre)	K (lbs/acre)	Salt (lbs/acre)	Amount
Canal	Surface water	5.64	0.00	0.00	0.00	8,980,012.00 *gal*
Application event totals		5.64	0.00	0.00	0.00	

Application date	Application method	Precipitation 24 hours prior	Precipitation during application	Precipitation 24 hours following
08/20/2023	Surface (irrigation)	No precipitation	No precipitation	No precipitation

Source description	Material type	N (lbs/acre)	P (lbs/acre)	K (lbs/acre)	Salt (lbs/acre)	Amount
Canal	Surface water	5.66	0.00	0.00	0.00	9,006,833.00 *gal*
Application event totals		5.66	0.00	0.00	0.00	

Application date	Application method	Precipitation 24 hours prior	Precipitation during application	Precipitation 24 hours following
08/30/2023	Surface (irrigation)	No precipitation	No precipitation	No precipitation

Source description	Material type	N (lbs/acre)	P (lbs/acre)	K (lbs/acre)	Salt (lbs/acre)	Amount
Canal	Surface water	5.21	0.00	0.00	0.00	8,290,114.00 *gal*
Application event totals		5.21	0.00	0.00	0.00	

Application date	Application method	Precipitation 24 hours prior	Precipitation during application	Precipitation 24 hours following
09/11/2023	Surface (irrigation)	No precipitation	No precipitation	No precipitation

Source description	Material type	N (lbs/acre)	P (lbs/acre)	K (lbs/acre)	Salt (lbs/acre)	Amount
Canal	Surface water	5.30	0.00	0.00	0.00	8,439,572.00 *gal*
Application event totals		5.30	0.00	0.00	0.00	

Application date	Application method	Precipitation 24 hours prior	Precipitation during application	Precipitation 24 hours following
09/23/2023	Surface (irrigation)	No precipitation	No precipitation	No precipitation

Source description	Material type	N (lbs/acre)	P (lbs/acre)	K (lbs/acre)	Salt (lbs/acre)	Amount
Canal	Surface water	4.93	0.00	0.00	0.00	7,849,367.00 *gal*
Application event totals		4.93	0.00	0.00	0.00	

Field 11 (New) - 11/21/2022: Oats, silage-soft dough

Field name: Field 11 (New)

Crop: Oats, silage-soft dough

Plant date: 11/21/2022

Application date	Application method	Precipitation 24 hours prior	Precipitation during application	Precipitation 24 hours following

Field 11 (New) - 11/21/2022: Oats, silage-soft dough

Application date	Application method	Precipitation 24 hours prior	Precipitation during application	Precipitation 24 hours following
09/29/2022	Broadcast/incorporate	No precipitation	No precipitation	No precipitation

Source description	Material type	N (lbs/acre)	P (lbs/acre)	K (lbs/acre)	Salt (lbs/acre)	Amount
Manure	Separator solids	110.74	28.33	54.60	0.00	260.00 *ton*
Application event totals		110.74	28.33	54.60	0.00	

03/05/2023	Surface (irrigation)	No precipitation	No precipitation	No precipitation

Source description	Material type	N (lbs/acre)	P (lbs/acre)	K (lbs/acre)	Salt (lbs/acre)	Amount
Imported Lagoon Water	Process wastewater	102.05	12.68	99.19	448.25	240,000.00 *gal*
Irrigation Well - Average	Ground water	19.40	0.00	0.00	242.48	1,080,000.00 *gal*
Application event totals		121.45	12.68	99.19	690.73	

03/18/2023	Surface (irrigation)	No precipitation	No precipitation	No precipitation

Source description	Material type	N (lbs/acre)	P (lbs/acre)	K (lbs/acre)	Salt (lbs/acre)	Amount
Imported Lagoon Water	Process wastewater	102.05	12.68	99.19	448.25	240,000.00 *gal*
Irrigation Well - Average	Ground water	19.40	0.00	0.00	242.48	1,080,000.00 *gal*
Application event totals		121.45	12.68	99.19	690.73	

04/14/2023	Surface (irrigation)	No precipitation	No precipitation	No precipitation

Source description	Material type	N (lbs/acre)	P (lbs/acre)	K (lbs/acre)	Salt (lbs/acre)	Amount
Canal	Surface water	5.67	0.00	0.00	0.00	2,228,504.00 *gal*
Application event totals		5.67	0.00	0.00	0.00	

04/24/2023	Surface (irrigation)	No precipitation	No precipitation	No precipitation

Source description	Material type	N (lbs/acre)	P (lbs/acre)	K (lbs/acre)	Salt (lbs/acre)	Amount
Canal	Surface water	4.86	0.00	0.00	0.00	1,910,165.00 *gal*
Application event totals		4.86	0.00	0.00	0.00	

Field 11 (New) - 05/31/2023: Corn, silage

Field name: Field 11 (New)

Crop: Corn, silage

Plant date: 05/31/2023

Field 11 (New) - 05/31/2023: Corn, silage

Application date	Application method	Precipitation 24 hours prior	Precipitation during application	Precipitation 24 hours following
05/25/2023	Broadcast/incorporate	No precipitation	No precipitation	No precipitation

Source description	Material type	N (lbs/acre)	P (lbs/acre)	K (lbs/acre)	Salt (lbs/acre)	Amount
Solid Manure	Separator solids	212.00	85.45	511.61	2,855.47	410.00 *ton*
Application event totals		212.00	85.45	511.61	2,855.47	

Application date	Application method	Precipitation 24 hours prior	Precipitation during application	Precipitation 24 hours following
07/12/2023	Surface (irrigation)	No precipitation	No precipitation	No precipitation

Source description	Material type	N (lbs/acre)	P (lbs/acre)	K (lbs/acre)	Salt (lbs/acre)	Amount
Canal	Surface water	8.64	0.00	0.00	0.00	3,395,813.00 *gal*
Application event totals		8.64	0.00	0.00	0.00	

Application date	Application method	Precipitation 24 hours prior	Precipitation during application	Precipitation 24 hours following
07/23/2023	Surface (irrigation)	No precipitation	No precipitation	No precipitation

Source description	Material type	N (lbs/acre)	P (lbs/acre)	K (lbs/acre)	Salt (lbs/acre)	Amount
Canal	Surface water	6.12	0.00	0.00	0.00	2,406,804.00 *gal*
Application event totals		6.12	0.00	0.00	0.00	

Application date	Application method	Precipitation 24 hours prior	Precipitation during application	Precipitation 24 hours following
08/01/2023	Surface (irrigation)	No precipitation	No precipitation	No precipitation

Source description	Material type	N (lbs/acre)	P (lbs/acre)	K (lbs/acre)	Salt (lbs/acre)	Amount
Canal	Surface water	9.18	0.00	0.00	0.00	3,608,038.00 *gal*
Application event totals		9.18	0.00	0.00	0.00	

Application date	Application method	Precipitation 24 hours prior	Precipitation during application	Precipitation 24 hours following
08/12/2023	Surface (irrigation)	No precipitation	No precipitation	No precipitation

Source description	Material type	N (lbs/acre)	P (lbs/acre)	K (lbs/acre)	Salt (lbs/acre)	Amount
Canal	Surface water	6.48	0.00	0.00	0.00	2,546,844.00 *gal*
Application event totals		6.48	0.00	0.00	0.00	

Application date	Application method	Precipitation 24 hours prior	Precipitation during application	Precipitation 24 hours following
08/22/2023	Surface (irrigation)	No precipitation	No precipitation	No precipitation

Source description	Material type	N (lbs/acre)	P (lbs/acre)	K (lbs/acre)	Salt (lbs/acre)	Amount
Canal	Surface water	5.40	0.00	0.00	0.00	2,122,391.00 *gal*
Application event totals		5.40	0.00	0.00	0.00	

Field 11 (New) - 05/31/2023: Corn, silage

Application date	Application method	Precipitation 24 hours prior	Precipitation during application	Precipitation 24 hours following
09/01/2023	Surface (irrigation)	No precipitation	No precipitation	No precipitation

Source description	Material type	N (lbs/acre)	P (lbs/acre)	K (lbs/acre)	Salt (lbs/acre)	Amount
Canal	Surface water	8.91	0.00	0.00	0.00	3,501,927.00 *gal*
Application event totals		8.91	0.00	0.00	0.00	

09/12/2023	Surface (irrigation)	No precipitation	No precipitation	No precipitation

Source description	Material type	N (lbs/acre)	P (lbs/acre)	K (lbs/acre)	Salt (lbs/acre)	Amount
Canal	Surface water	8.64	0.00	0.00	0.00	3,395,812.00 *gal*
Application event totals		8.64	0.00	0.00	0.00	

Field 2 (West Main) - 11/07/2022: Oats, silage-soft dough

Field name: Field 2 (West Main)

Crop: Oats, silage-soft dough

Plant date: 11/07/2022

Application date	Application method	Precipitation 24 hours prior	Precipitation during application	Precipitation 24 hours following
09/28/2022	Broadcast/incorporate	No precipitation	No precipitation	No precipitation

Source description	Material type	N (lbs/acre)	P (lbs/acre)	K (lbs/acre)	Salt (lbs/acre)	Amount
Solid Manure	Separator solids	116.27	29.74	57.32	0.00	351.00 *ton*
Application event totals		116.27	29.74	57.32	0.00	

10/10/2022	Surface (irrigation)	No precipitation	No precipitation	No precipitation

Source description	Material type	N (lbs/acre)	P (lbs/acre)	K (lbs/acre)	Salt (lbs/acre)	Amount
Lagoon Water	Process wastewater	72.55	17.41	109.59	850.52	756,000.00 *gal*
Canal	Surface water	6.84	0.00	0.00	0.00	3,455,876.00 *gal*
Application event totals		79.39	17.41	109.59	850.52	

Field 2 (West Main) - 11/07/2022: Oats, silage-soft dough

Application date	Application method	Precipitation 24 hours prior	Precipitation during application	Precipitation 24 hours following
04/11/2023	Surface (irrigation)	No precipitation	No precipitation	No precipitation

Source description	Material type	N (lbs/acre)	P (lbs/acre)	K (lbs/acre)	Salt (lbs/acre)	Amount
Lagoon Water	Process wastewater	81.36	19.08	142.48	854.16	588,000.00 *gal*
Canal	Surface water	8.30	0.00	0.00	0.00	4,196,419.00 *gal*
Application event totals		89.66	19.08	142.48	854.16	

Field 2 (West Main) - 05/26/2023: Corn, silage

Field name: Field 2 (West Main)

Crop: Corn, silage

Plant date: 05/26/2023

Application date	Application method	Precipitation 24 hours prior	Precipitation during application	Precipitation 24 hours following
05/23/2023	Surface (irrigation)	No precipitation	No precipitation	No precipitation

Source description	Material type	N (lbs/acre)	P (lbs/acre)	K (lbs/acre)	Salt (lbs/acre)	Amount
Lagoon Water	Process wastewater	87.17	20.45	152.66	915.17	630,000.00 *gal*
Canal	Surface water	7.81	0.00	0.00	0.00	3,949,582.00 *gal*
Application event totals		94.99	20.45	152.66	915.17	

Application date	Application method	Precipitation 24 hours prior	Precipitation during application	Precipitation 24 hours following
07/07/2023	Surface (irrigation)	No precipitation	No precipitation	No precipitation

Source description	Material type	N (lbs/acre)	P (lbs/acre)	K (lbs/acre)	Salt (lbs/acre)	Amount
Lagoon Water	Process wastewater	65.01	13.66	96.00	379.57	714,000.00 *gal*
Canal	Surface water	11.23	0.00	0.00	0.00	5,677,536.00 *gal*
Application event totals		76.24	13.66	96.00	379.57	

Application date	Application method	Precipitation 24 hours prior	Precipitation during application	Precipitation 24 hours following
07/19/2023	Surface (irrigation)	No precipitation	No precipitation	No precipitation

Source description	Material type	N (lbs/acre)	P (lbs/acre)	K (lbs/acre)	Salt (lbs/acre)	Amount
Canal	Surface water	6.84	0.00	0.00	0.00	3,455,876.00 *gal*
Application event totals		6.84	0.00	0.00	0.00	

Field 2 (West Main) - 05/26/2023: Corn, silage

Application date	Application method	Precipitation 24 hours prior	Precipitation during application	Precipitation 24 hours following
07/29/2023	Surface (irrigation)	No precipitation	No precipitation	No precipitation

Source description	Material type	N (lbs/acre)	P (lbs/acre)	K (lbs/acre)	Salt (lbs/acre)	Amount
Lagoon Water	Process wastewater	61.19	12.86	90.35	357.24	672,000.00 *gal*
Canal	Surface water	6.59	0.00	0.00	0.00	3,332,458.00 *gal*
Application event totals		67.78	12.86	90.35	357.24	

Application date	Application method	Precipitation 24 hours prior	Precipitation during application	Precipitation 24 hours following
08/06/2023	Surface (irrigation)	No precipitation	No precipitation	No precipitation

Source description	Material type	N (lbs/acre)	P (lbs/acre)	K (lbs/acre)	Salt (lbs/acre)	Amount
Canal	Surface water	6.35	0.00	0.00	0.00	3,209,040.00 *gal*
Application event totals		6.35	0.00	0.00	0.00	

Application date	Application method	Precipitation 24 hours prior	Precipitation during application	Precipitation 24 hours following
08/15/2023	Surface (irrigation)	No precipitation	No precipitation	No precipitation

Source description	Material type	N (lbs/acre)	P (lbs/acre)	K (lbs/acre)	Salt (lbs/acre)	Amount
Canal	Surface water	4.88	0.00	0.00	0.00	2,468,497.00 *gal*
Application event totals		4.88	0.00	0.00	0.00	

Application date	Application method	Precipitation 24 hours prior	Precipitation during application	Precipitation 24 hours following
08/26/2023	Surface (irrigation)	No precipitation	No precipitation	No precipitation

Source description	Material type	N (lbs/acre)	P (lbs/acre)	K (lbs/acre)	Salt (lbs/acre)	Amount
Lagoon Water	Process wastewater	64.63	13.58	95.43	377.33	709,800.00 *gal*
Canal	Surface water	7.32	0.00	0.00	0.00	3,702,745.00 *gal*
Application event totals		71.95	13.58	95.43	377.33	

Application date	Application method	Precipitation 24 hours prior	Precipitation during application	Precipitation 24 hours following
09/06/2023	Surface (irrigation)	No precipitation	No precipitation	No precipitation

Source description	Material type	N (lbs/acre)	P (lbs/acre)	K (lbs/acre)	Salt (lbs/acre)	Amount
Canal	Surface water	7.08	0.00	0.00	0.00	3,579,327.00 *gal*
Application event totals		7.08	0.00	0.00	0.00	

Field 3 (Monte Vista) - 11/21/2022: Oats, silage-soft dough

Field name: Field 3 (Monte Vista)

Crop: Oats, silage-soft dough

Plant date: 11/21/2022

Field 3 (Monte Vista) - 11/21/2022: Oats, silage-soft dough

Application date	Application method	Precipitation 24 hours prior	Precipitation during application	Precipitation 24 hours following
09/30/2022	Broadcast/incorporate	No precipitation	No precipitation	No precipitation

Source description	Material type	N (lbs/acre)	P (lbs/acre)	K (lbs/acre)	Salt (lbs/acre)	Amount
Solid Manure	Separator solids	277.26	70.93	136.70	0.00	620.00 *ton*
Application event totals		277.26	70.93	136.70	0.00	

Application date	Application method	Precipitation 24 hours prior	Precipitation during application	Precipitation 24 hours following
04/14/2023	Surface (irrigation)	No precipitation	No precipitation	No precipitation

Source description	Material type	N (lbs/acre)	P (lbs/acre)	K (lbs/acre)	Salt (lbs/acre)	Amount
Canal	Surface water	7.35	0.00	0.00	0.00	2,753,725.00 *gal*
Application event totals		7.35	0.00	0.00	0.00	

Application date	Application method	Precipitation 24 hours prior	Precipitation during application	Precipitation 24 hours following
04/24/2023	Surface (irrigation)	No precipitation	No precipitation	No precipitation

Source description	Material type	N (lbs/acre)	P (lbs/acre)	K (lbs/acre)	Salt (lbs/acre)	Amount
Canal	Surface water	7.35	0.00	0.00	0.00	2,753,725.00 *gal*
Application event totals		7.35	0.00	0.00	0.00	

Field 3 (Monte Vista) - 05/31/2023: Corn, silage

Field name: Field 3 (Monte Vista)

Crop: Corn, silage

Plant date: 05/31/2023

Application date	Application method	Precipitation 24 hours prior	Precipitation during application	Precipitation 24 hours following
05/25/2023	Broadcast/incorporate	No precipitation	No precipitation	No precipitation

Source description	Material type	N (lbs/acre)	P (lbs/acre)	K (lbs/acre)	Salt (lbs/acre)	Amount
Solid Manure	Separator solids	282.32	113.79	681.31	3,802.66	520.00 *ton*
Application event totals		282.32	113.79	681.31	3,802.66	

Application date	Application method	Precipitation 24 hours prior	Precipitation during application	Precipitation 24 hours following
05/31/2023	Surface (irrigation)	No precipitation	No precipitation	No precipitation

Source description	Material type	N (lbs/acre)	P (lbs/acre)	K (lbs/acre)	Salt (lbs/acre)	Amount
Canal	Surface water	9.80	0.00	0.00	0.00	3,671,622.00 *gal*
Application event totals		9.80	0.00	0.00	0.00	

Field 3 (Monte Vista) - 05/31/2023: Corn, silage

Application date	Application method	Precipitation 24 hours prior	Precipitation during application	Precipitation 24 hours following
07/12/2023	Surface (irrigation)	No precipitation	No precipitation	No precipitation

Source description	Material type	N (lbs/acre)	P (lbs/acre)	K (lbs/acre)	Salt (lbs/acre)	Amount
Canal	Surface water	9.80	0.00	0.00	0.00	3,671,622.00 *gal*
Application event totals		9.80	0.00	0.00	0.00	

Application date	Application method	Precipitation 24 hours prior	Precipitation during application	Precipitation 24 hours following
07/23/2023	Surface (irrigation)	No precipitation	No precipitation	No precipitation

Source description	Material type	N (lbs/acre)	P (lbs/acre)	K (lbs/acre)	Salt (lbs/acre)	Amount
Canal	Surface water	6.13	0.00	0.00	0.00	2,294,760.00 *gal*
Application event totals		6.13	0.00	0.00	0.00	

Application date	Application method	Precipitation 24 hours prior	Precipitation during application	Precipitation 24 hours following
08/01/2023	Surface (irrigation)	No precipitation	No precipitation	No precipitation

Source description	Material type	N (lbs/acre)	P (lbs/acre)	K (lbs/acre)	Salt (lbs/acre)	Amount
Canal	Surface water	7.35	0.00	0.00	0.00	2,753,725.00 *gal*
Application event totals		7.35	0.00	0.00	0.00	

Application date	Application method	Precipitation 24 hours prior	Precipitation during application	Precipitation 24 hours following
08/12/2023	Surface (irrigation)	No precipitation	No precipitation	No precipitation

Source description	Material type	N (lbs/acre)	P (lbs/acre)	K (lbs/acre)	Salt (lbs/acre)	Amount
Canal	Surface water	8.58	0.00	0.00	0.00	3,212,690.00 *gal*
Application event totals		8.58	0.00	0.00	0.00	

Application date	Application method	Precipitation 24 hours prior	Precipitation during application	Precipitation 24 hours following
08/22/2023	Surface (irrigation)	No precipitation	No precipitation	No precipitation

Source description	Material type	N (lbs/acre)	P (lbs/acre)	K (lbs/acre)	Salt (lbs/acre)	Amount
Canal	Surface water	6.13	0.00	0.00	0.00	2,294,760.00 *gal*
Application event totals		6.13	0.00	0.00	0.00	

Application date	Application method	Precipitation 24 hours prior	Precipitation during application	Precipitation 24 hours following
09/01/2023	Surface (irrigation)	No precipitation	No precipitation	No precipitation

Source description	Material type	N (lbs/acre)	P (lbs/acre)	K (lbs/acre)	Salt (lbs/acre)	Amount
Canal	Surface water	6.74	0.00	0.00	0.00	2,524,258.00 *gal*
Application event totals		6.74	0.00	0.00	0.00	

Field 3 (Monte Vista) - 05/31/2023: Corn, silage

Application date	Application method	Precipitation 24 hours prior	Precipitation during application	Precipitation 24 hours following
09/12/2023	Surface (irrigation)	No precipitation	No precipitation	No precipitation

Source description	Material type	N (lbs/acre)	P (lbs/acre)	K (lbs/acre)	Salt (lbs/acre)	Amount
Canal	Surface water	4.90	0.00	0.00	0.00	1,835,827.00 *gal*
Application event totals		4.90	0.00	0.00	0.00	

Field 7 (Faith Home) - 11/05/2020: Alfalfa, hay

Field name: Field 7 (Faith Home)

Crop: Alfalfa, hay

Plant date: 11/05/2020

Application date	Application method	Precipitation 24 hours prior	Precipitation during application	Precipitation 24 hours following
04/27/2023	Surface (irrigation)	No precipitation	No precipitation	No precipitation

Source description	Material type	N (lbs/acre)	P (lbs/acre)	K (lbs/acre)	Salt (lbs/acre)	Amount
Canal	Surface water	11.17	0.00	0.00	0.00	8,367,938.00 *gal*
Application event totals		11.17	0.00	0.00	0.00	

05/25/2023	Surface (irrigation)	No precipitation	No precipitation	No precipitation

Source description	Material type	N (lbs/acre)	P (lbs/acre)	K (lbs/acre)	Salt (lbs/acre)	Amount
Canal	Surface water	6.10	0.00	0.00	0.00	4,571,986.00 *gal*
Application event totals		6.10	0.00	0.00	0.00	

06/20/2023	Surface (irrigation)	No precipitation	No precipitation	No precipitation

Source description	Material type	N (lbs/acre)	P (lbs/acre)	K (lbs/acre)	Salt (lbs/acre)	Amount
Canal	Surface water	6.93	0.00	0.00	0.00	5,193,217.00 *gal*
Application event totals		6.93	0.00	0.00	0.00	

07/15/2023	Surface (irrigation)	No precipitation	No precipitation	No precipitation

Source description	Material type	N (lbs/acre)	P (lbs/acre)	K (lbs/acre)	Salt (lbs/acre)	Amount
Canal	Surface water	5.50	0.00	0.00	0.00	4,115,759.00 *gal*
Application event totals		5.50	0.00	0.00	0.00	

Field 7 (Faith Home) - 11/05/2020: Alfalfa, hay

Application date	Application method	Precipitation 24 hours prior	Precipitation during application	Precipitation 24 hours following
07/25/2023	Surface (irrigation)	No precipitation	No precipitation	No precipitation

Source description	Material type	N (lbs/acre)	P (lbs/acre)	K (lbs/acre)	Salt (lbs/acre)	Amount
Canal	Surface water	8.97	0.00	0.00	0.00	6,717,256.00 *gal*
Application event totals		8.97	0.00	0.00	0.00	

Application date	Application method	Precipitation 24 hours prior	Precipitation during application	Precipitation 24 hours following
08/14/2023	Surface (irrigation)	No precipitation	No precipitation	No precipitation

Source description	Material type	N (lbs/acre)	P (lbs/acre)	K (lbs/acre)	Salt (lbs/acre)	Amount
Canal	Surface water	7.84	0.00	0.00	0.00	5,875,146.00 *gal*
Application event totals		7.84	0.00	0.00	0.00	

Application date	Application method	Precipitation 24 hours prior	Precipitation during application	Precipitation 24 hours following
09/08/2023	Surface (irrigation)	No precipitation	No precipitation	No precipitation

Source description	Material type	N (lbs/acre)	P (lbs/acre)	K (lbs/acre)	Salt (lbs/acre)	Amount
Canal	Surface water	5.04	0.00	0.00	0.00	3,771,152.00 *gal*
Application event totals		5.04	0.00	0.00	0.00	

Application date	Application method	Precipitation 24 hours prior	Precipitation during application	Precipitation 24 hours following
10/08/2023	Surface (irrigation)	No precipitation	No precipitation	No precipitation

Source description	Material type	N (lbs/acre)	P (lbs/acre)	K (lbs/acre)	Salt (lbs/acre)	Amount
Canal	Surface water	5.23	0.00	0.00	0.00	3,916,764.00 *gal*
Application event totals		5.23	0.00	0.00	0.00	

Field 8 (Williams) - 10/22/2021: Alfalfa, hay

Field name: Field 8 (Williams)

Crop: Alfalfa, hay

Plant date: 10/22/2021

Application date	Application method	Precipitation 24 hours prior	Precipitation during application	Precipitation 24 hours following
04/29/2023	Surface (irrigation)	No precipitation	No precipitation	No precipitation

Source description	Material type	N (lbs/acre)	P (lbs/acre)	K (lbs/acre)	Salt (lbs/acre)	Amount
Canal	Surface water	8.85	0.00	0.00	0.00	5,801,574.00 *gal*
Application event totals		8.85	0.00	0.00	0.00	

Field 8 (Williams) - 10/22/2021: Alfalfa, hay

Application date	Application method	Precipitation 24 hours prior	Precipitation during application	Precipitation 24 hours following
05/29/2023	Surface (irrigation)	No precipitation	No precipitation	No precipitation

Source description	Material type	N (lbs/acre)	P (lbs/acre)	K (lbs/acre)	Salt (lbs/acre)	Amount
Canal	Surface water	7.67	0.00	0.00	0.00	5,028,018.00 *gal*
Application event totals		7.67	0.00	0.00	0.00	

Application date	Application method	Precipitation 24 hours prior	Precipitation during application	Precipitation 24 hours following
06/20/2023	Surface (irrigation)	No precipitation	No precipitation	No precipitation

Source description	Material type	N (lbs/acre)	P (lbs/acre)	K (lbs/acre)	Salt (lbs/acre)	Amount
Canal	Surface water	7.01	0.00	0.00	0.00	4,592,909.00 *gal*
Application event totals		7.01	0.00	0.00	0.00	

Application date	Application method	Precipitation 24 hours prior	Precipitation during application	Precipitation 24 hours following
07/16/2023	Surface (irrigation)	No precipitation	No precipitation	No precipitation

Source description	Material type	N (lbs/acre)	P (lbs/acre)	K (lbs/acre)	Salt (lbs/acre)	Amount
Canal	Surface water	7.38	0.00	0.00	0.00	4,834,629.00 *gal*
Application event totals		7.38	0.00	0.00	0.00	

Application date	Application method	Precipitation 24 hours prior	Precipitation during application	Precipitation 24 hours following
07/25/2023	Surface (irrigation)	No precipitation	No precipitation	No precipitation

Source description	Material type	N (lbs/acre)	P (lbs/acre)	K (lbs/acre)	Salt (lbs/acre)	Amount
Canal	Surface water	5.35	0.00	0.00	0.00	3,505,120.00 *gal*
Application event totals		5.35	0.00	0.00	0.00	

Application date	Application method	Precipitation 24 hours prior	Precipitation during application	Precipitation 24 hours following
08/16/2023	Surface (irrigation)	No precipitation	No precipitation	No precipitation

Source description	Material type	N (lbs/acre)	P (lbs/acre)	K (lbs/acre)	Salt (lbs/acre)	Amount
Canal	Surface water	6.49	0.00	0.00	0.00	4,254,462.00 *gal*
Application event totals		6.49	0.00	0.00	0.00	

Application date	Application method	Precipitation 24 hours prior	Precipitation during application	Precipitation 24 hours following
09/13/2023	Surface (irrigation)	No precipitation	No precipitation	No precipitation

Source description	Material type	N (lbs/acre)	P (lbs/acre)	K (lbs/acre)	Salt (lbs/acre)	Amount
Canal	Surface water	6.09	0.00	0.00	0.00	3,988,560.00 *gal*
Application event totals		6.09	0.00	0.00	0.00	

Field 8 (Williams) - 10/22/2021: Alfalfa, hay

Application date	Application method	Precipitation 24 hours prior	Precipitation during application	Precipitation 24 hours following
10/08/2023	Surface (irrigation)	No precipitation	No precipitation	No precipitation

Source description	Material type	N (lbs/acre)	P (lbs/acre)	K (lbs/acre)	Salt (lbs/acre)	Amount
Canal	Surface water	6.59	0.00	0.00	0.00	4,317,328.00 *gal*
Application event totals		6.59	0.00	0.00	0.00	

Field 9 (Highway 99) - 11/14/2022: Wheat Hay

Field name: Field 9 (Highway 99)

Crop: Wheat Hay

Plant date: 11/14/2022

Application date	Application method	Precipitation 24 hours prior	Precipitation during application	Precipitation 24 hours following
09/29/2022	Broadcast/incorporate	No precipitation	No precipitation	No precipitation

Source description	Material type	N (lbs/acre)	P (lbs/acre)	K (lbs/acre)	Salt (lbs/acre)	Amount
Solid Manure	Separator solids	116.27	29.74	57.32	0.00	455.00 *ton*
Application event totals		116.27	29.74	57.32	0.00	

10/05/2022	Surface (irrigation)	No precipitation	No precipitation	No precipitation

Source description	Material type	N (lbs/acre)	P (lbs/acre)	K (lbs/acre)	Salt (lbs/acre)	Amount
Canal	Surface water	7.97	0.00	0.00	0.00	5,223,427.00 *gal*
Application event totals		7.97	0.00	0.00	0.00	

04/14/2023	Surface (irrigation)	No precipitation	No precipitation	No precipitation

Source description	Material type	N (lbs/acre)	P (lbs/acre)	K (lbs/acre)	Salt (lbs/acre)	Amount
Canal	Surface water	10.19	0.00	0.00	0.00	6,676,029.00 *gal*
Application event totals		10.19	0.00	0.00	0.00	

04/24/2023	Surface (irrigation)	No precipitation	No precipitation	No precipitation

Source description	Material type	N (lbs/acre)	P (lbs/acre)	K (lbs/acre)	Salt (lbs/acre)	Amount
Canal	Surface water	6.26	0.00	0.00	0.00	4,104,124.00 *gal*
Application event totals		6.26	0.00	0.00	0.00	

Field 9 (Highway 99) - 06/15/2023: Corn, silage

Field name: Field 9 (Highway 99)

Crop: Corn, silage

Plant date: 06/15/2023

Application date	Application method	Precipitation 24 hours prior	Precipitation during application	Precipitation 24 hours following
05/31/2023	Broadcast/incorporate	No precipitation	No precipitation	No precipitation

Source description	Material type	N (lbs/acre)	P (lbs/acre)	K (lbs/acre)	Salt (lbs/acre)	Amount
Solid Manure	Separator solids	211.89	85.41	511.36	2,854.08	683.00 *ton*
Application event totals		211.89	85.41	511.36	2,854.08	

Application date	Application method	Precipitation 24 hours prior	Precipitation during application	Precipitation 24 hours following
06/10/2023	Surface (irrigation)	No precipitation	No precipitation	No precipitation

Source description	Material type	N (lbs/acre)	P (lbs/acre)	K (lbs/acre)	Salt (lbs/acre)	Amount
Canal	Surface water	9.68	0.00	0.00	0.00	6,342,731.00 *gal*
Application event totals		9.68	0.00	0.00	0.00	

Application date	Application method	Precipitation 24 hours prior	Precipitation during application	Precipitation 24 hours following
07/20/2023	Surface (irrigation)	No precipitation	No precipitation	No precipitation

Source description	Material type	N (lbs/acre)	P (lbs/acre)	K (lbs/acre)	Salt (lbs/acre)	Amount
Canal	Surface water	12.15	0.00	0.00	0.00	7,959,488.00 *gal*
Application event totals		12.15	0.00	0.00	0.00	

Application date	Application method	Precipitation 24 hours prior	Precipitation during application	Precipitation 24 hours following
07/30/2023	Surface (irrigation)	No precipitation	No precipitation	No precipitation

Source description	Material type	N (lbs/acre)	P (lbs/acre)	K (lbs/acre)	Salt (lbs/acre)	Amount
Canal	Surface water	7.99	0.00	0.00	0.00	5,233,367.00 *gal*
Application event totals		7.99	0.00	0.00	0.00	

Application date	Application method	Precipitation 24 hours prior	Precipitation during application	Precipitation 24 hours following
08/11/2023	Surface (irrigation)	No precipitation	No precipitation	No precipitation

Source description	Material type	N (lbs/acre)	P (lbs/acre)	K (lbs/acre)	Salt (lbs/acre)	Amount
Canal	Surface water	8.48	0.00	0.00	0.00	5,556,725.00 *gal*
Application event totals		8.48	0.00	0.00	0.00	

Application date	Application method	Precipitation 24 hours prior	Precipitation during application	Precipitation 24 hours following
08/20/2023	Surface (irrigation)	No precipitation	No precipitation	No precipitation

Source description	Material type	N (lbs/acre)	P (lbs/acre)	K (lbs/acre)	Salt (lbs/acre)	Amount
Canal	Surface water	7.08	0.00	0.00	0.00	4,641,370.00 *gal*
Application event totals		7.08	0.00	0.00	0.00	

Field 9 (Highway 99) - 06/15/2023: Corn, silage

Application date	Application method	Precipitation 24 hours prior	Precipitation during application	Precipitation 24 hours following
08/29/2023	Surface (irrigation)	No precipitation	No precipitation	No precipitation

Source description	Material type	N (lbs/acre)	P (lbs/acre)	K (lbs/acre)	Salt (lbs/acre)	Amount
Canal	Surface water	6.30	0.00	0.00	0.00	4,128,990.00 *gal*
Application event totals		6.30	0.00	0.00	0.00	

Application date	Application method	Precipitation 24 hours prior	Precipitation during application	Precipitation 24 hours following
09/10/2023	Surface (irrigation)	No precipitation	No precipitation	No precipitation

Source description	Material type	N (lbs/acre)	P (lbs/acre)	K (lbs/acre)	Salt (lbs/acre)	Amount
Canal	Surface water	7.30	0.00	0.00	0.00	4,785,646.00 *gal*
Application event totals		7.30	0.00	0.00	0.00	

Application date	Application method	Precipitation 24 hours prior	Precipitation during application	Precipitation 24 hours following
09/22/2023	Surface (irrigation)	No precipitation	No precipitation	No precipitation

Source description	Material type	N (lbs/acre)	P (lbs/acre)	K (lbs/acre)	Salt (lbs/acre)	Amount
Canal	Surface water	6.83	0.00	0.00	0.00	4,477,214.00 *gal*
Application event totals		6.83	0.00	0.00	0.00	

B. NUTRIENT BUDGET

Field 1 (Home) - 11/07/2022: Oats, silage-soft dough

Field name: Field 1 (Home) Crop: Oats, silage-soft dough Plant date: 11/07/2022

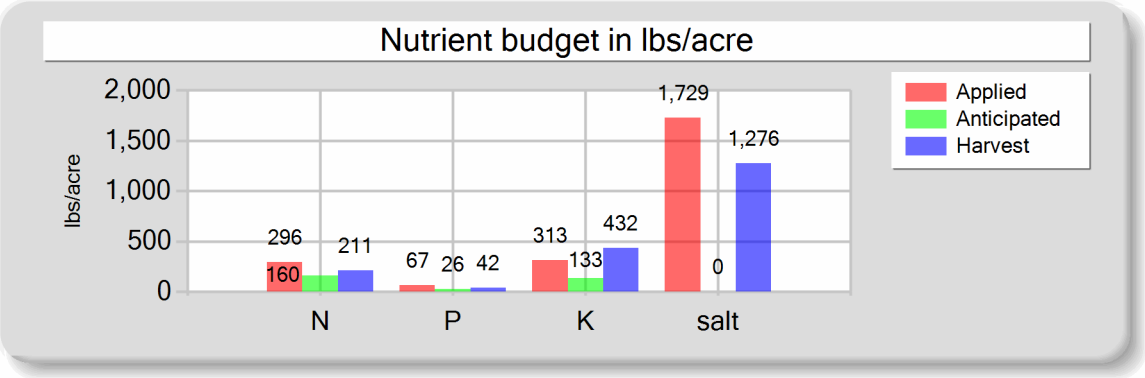

	Total N (lbs/acre)	Total P (lbs/acre)	Total K (lbs/acre)	Total salt (lbs/acre)
Existing soil nutrient content	0.00	0.00	0.00	0.00
Plowdown credit	0.00	0.00	0.00	0.00
Commercial fertilizer / Other	0.00	0.00	0.00	0.00
Dry manure	116.27	29.74	57.32	0.00
Process wastewater	156.24	37.04	256.14	1,729.08
Fresh water	16.15	0.00	0.00	0.00
Atmospheric deposition	7.00	0.00	0.00	0.00
Total nutrients applied	295.66	66.78	313.46	1,729.08
Anticipated crop nutrient removal	160.00	25.60	132.80	0.00
Actual crop nutrient removal	210.82	41.63	432.38	1,275.66
Nutrient balance	84.84	25.15	-118.92	453.42
Applied to removed ratio	1.40	1.60	0.72	1.36

Fresh water applied	
9,070,808.00	*gallons*
334.05	*acre-inches*
11.13	*inches/acre*

Process wastewater applied	
1,512,000.00	*gallons*
55.68	*acre-inches*
1.86	*inches/acre*

Total harvests for the crop	
1	*harvests*

Field 1 (Home) - 05/26/2023: Corn, silage

Field name: Field 1 (Home) Crop: Corn, silage Plant date: 05/26/2023

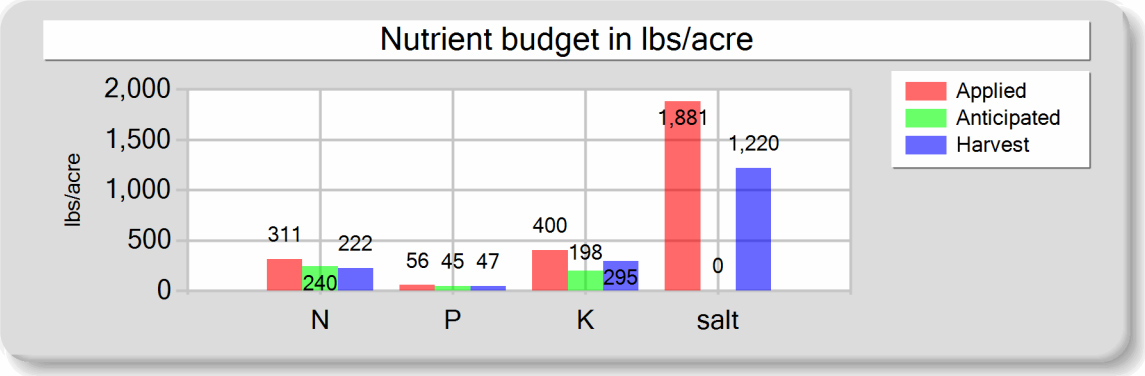

	Total N (lbs/acre)	Total P (lbs/acre)	Total K (lbs/acre)	Total salt (lbs/acre)
Existing soil nutrient content	0.00	0.00	0.00	0.00
Plowdown credit	0.00	0.00	0.00	0.00
Commercial fertilizer / Other	0.00	0.00	0.00	0.00
Dry manure	0.00	0.00	0.00	0.00
Process wastewater	255.43	55.71	400.15	1,881.29
Fresh water	48.89	0.00	0.00	0.00
Atmospheric deposition	7.00	0.00	0.00	0.00
Total nutrients applied	311.33	55.71	400.15	1,881.29
Anticipated crop nutrient removal	240.00	45.00	198.00	0.00
Actual crop nutrient removal	221.76	46.57	294.94	1,219.68
Nutrient balance	89.57	9.14	105.21	661.61
Applied to removed ratio	1.40	1.20	1.36	1.54

Fresh water applied	
27,464,376.00	*gallons*
1,011.42	*acre-inches*
33.71	*inches/acre*

Process wastewater applied	
2,767,800.00	*gallons*
101.93	*acre-inches*
3.40	*inches/acre*

Total harvests for the crop	
1	*harvests*

Field 10 (Washington) - 11/14/2022: Wheat Hay

Field name: Field 10 (Washington) Crop: Wheat Hay Plant date: 11/14/2022

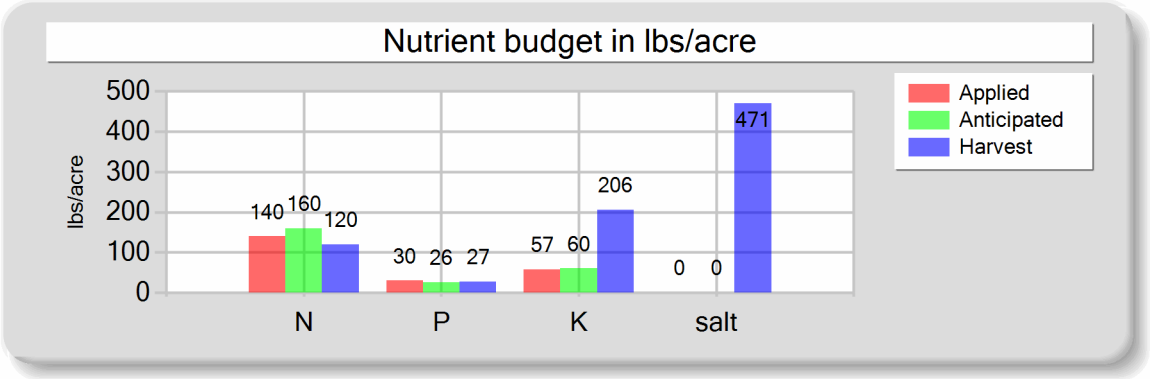

	Total N (lbs/acre)	Total P (lbs/acre)	Total K (lbs/acre)	Total salt (lbs/acre)
Existing soil nutrient content	0.00	0.00	0.00	0.00
Plowdown credit	0.00	0.00	0.00	0.00
Commercial fertilizer / Other	0.00	0.00	0.00	0.00
Dry manure	116.27	29.74	57.32	0.00
Process wastewater	0.00	0.00	0.00	0.00
Fresh water	16.52	0.00	0.00	0.00
Atmospheric deposition	7.00	0.00	0.00	0.00
Total nutrients applied	139.79	29.74	57.32	0.00
Anticipated crop nutrient removal	160.00	26.00	60.00	0.00
Actual crop nutrient removal	119.93	26.90	206.23	470.74
Nutrient balance	19.86	2.84	-148.90	-470.74
Applied to removed ratio	1.17	1.11	0.28	0.00

Fresh water applied	
26,284,944.00	*gallons*
967.99	*acre-inches*
11.39	*inches/acre*

Process wastewater applied	
0.00	*gallons*
0.00	*acre-inches*
0.00	*inches/acre*

Total harvests for the crop	
1	*harvests*

Field 10 (Washington) - 06/15/2023: Corn, silage

Field name: Field 10 (Washington) Crop: Corn, silage Plant date: 06/15/2023

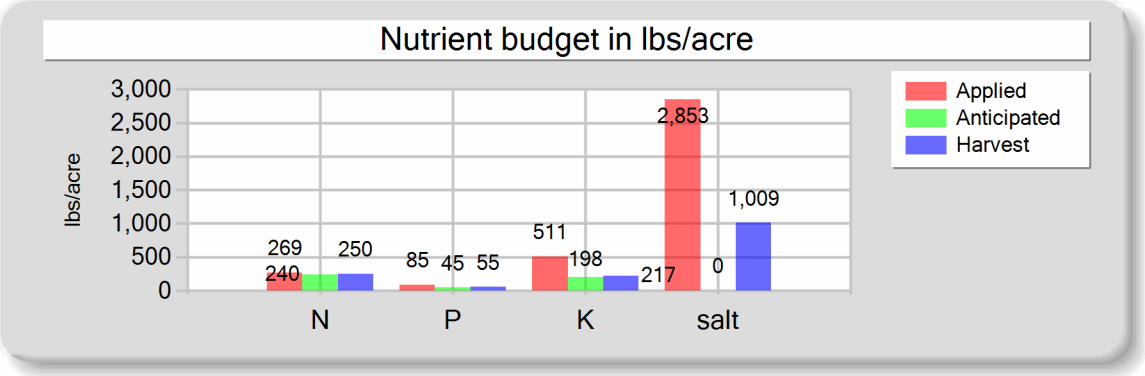

	Total N (lbs/acre)	Total P (lbs/acre)	Total K (lbs/acre)	Total salt (lbs/acre)
Existing soil nutrient content	0.00	0.00	0.00	0.00
Plowdown credit	0.00	0.00	0.00	0.00
Commercial fertilizer / Other	0.00	0.00	0.00	0.00
Dry manure	211.80	85.37	511.14	2,852.85
Process wastewater	0.00	0.00	0.00	0.00
Fresh water	49.79	0.00	0.00	0.00
Atmospheric deposition	7.00	0.00	0.00	0.00
Total nutrients applied	268.59	85.37	511.14	2,852.85
Anticipated crop nutrient removal	240.00	45.00	198.00	0.00
Actual crop nutrient removal	250.16	54.86	217.25	1,009.42
Nutrient balance	18.43	30.51	293.89	1,843.43
Applied to removed ratio	1.07	1.56	2.35	2.83

Fresh water applied	
79,244,763.00	*gallons*
2,918.32	*acre-inches*
34.33	*inches/acre*

Process wastewater applied	
0.00	*gallons*
0.00	*acre-inches*
0.00	*inches/acre*

Total harvests for the crop	
1	*harvests*

Field 11 (New) - 11/21/2022: Oats, silage-soft dough

Field name: Field 11 (New) Crop: Oats, silage-soft dough Plant date: 11/21/2022

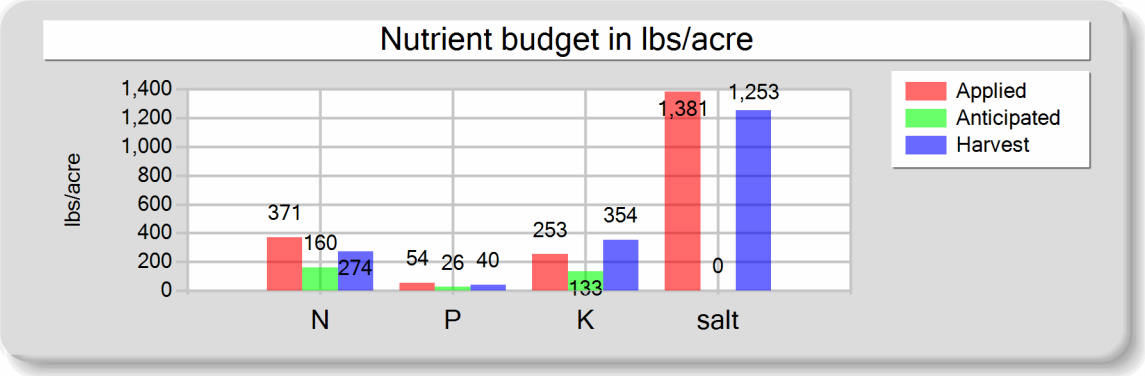

	Total N (lbs/acre)	Total P (lbs/acre)	Total K (lbs/acre)	Total salt (lbs/acre)
Existing soil nutrient content	0.00	0.00	0.00	0.00
Plowdown credit	0.00	0.00	0.00	0.00
Commercial fertilizer / Other	0.00	0.00	0.00	0.00
Dry manure	110.74	28.33	54.60	0.00
Process wastewater	204.09	25.37	198.37	896.49
Fresh water	49.32	0.00	0.00	484.96
Atmospheric deposition	7.00	0.00	0.00	0.00
Total nutrients applied	371.15	53.70	252.97	1,381.46
Anticipated crop nutrient removal	160.00	25.60	132.80	0.00
Actual crop nutrient removal	274.32	39.96	354.24	1,252.80
Nutrient balance	96.83	13.74	-101.27	128.66
Applied to removed ratio	1.35	1.34	0.71	1.10

Fresh water applied	
6,298,669.00	*gallons*
231.96	*acre-inches*
11.05	*inches/acre*

Process wastewater applied	
480,000.00	*gallons*
17.68	*acre-inches*
0.84	*inches/acre*

Total harvests for the crop	
1	*harvests*

Field 11 (New) - 05/31/2023: Corn, silage

Field name: Field 11 (New) Crop: Corn, silage Plant date: 05/31/2023

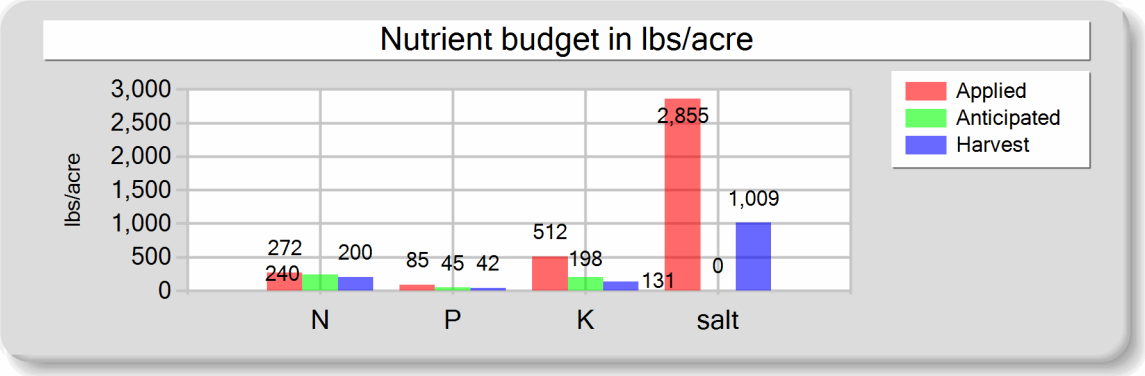

	Total N (lbs/acre)	Total P (lbs/acre)	Total K (lbs/acre)	Total salt (lbs/acre)
Existing soil nutrient content	0.00	0.00	0.00	0.00
Plowdown credit	0.00	0.00	0.00	0.00
Commercial fertilizer / Other	0.00	0.00	0.00	0.00
Dry manure	212.00	85.45	511.61	2,855.47
Process wastewater	0.00	0.00	0.00	0.00
Fresh water	53.35	0.00	0.00	0.00
Atmospheric deposition	7.00	0.00	0.00	0.00
Total nutrients applied	272.35	85.45	511.61	2,855.47
Anticipated crop nutrient removal	240.00	45.00	198.00	0.00
Actual crop nutrient removal	200.10	41.76	130.50	1,009.20
Nutrient balance	72.25	43.69	381.11	1,846.27
Applied to removed ratio	1.36	2.05	3.92	2.83

Fresh water applied	
20,977,629.00	*gallons*
772.53	*acre-inches*
36.79	*inches/acre*

Process wastewater applied	
0.00	*gallons*
0.00	*acre-inches*
0.00	*inches/acre*

Total harvests for the crop	
1	*harvests*

Field 2 (West Main) - 11/07/2022: Oats, silage-soft dough

Field name: Field 2 (West Main) Crop: Oats, silage-soft dough Plant date: 11/07/2022

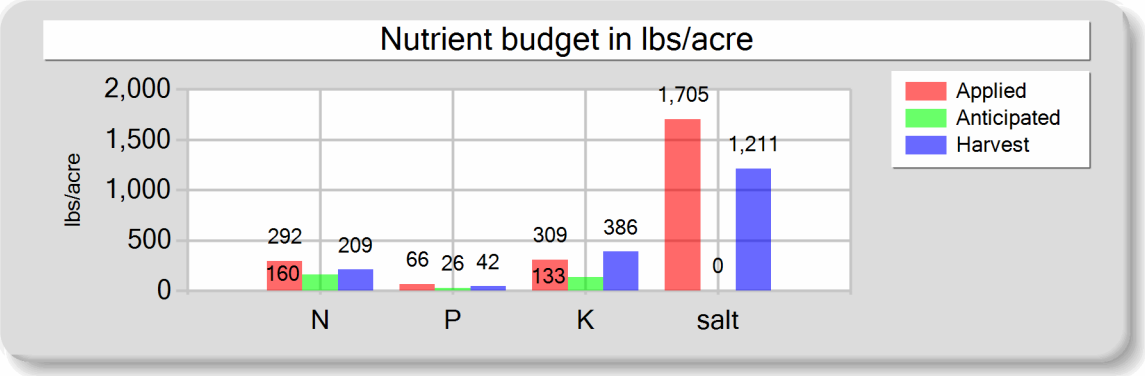

	Total N (lbs/acre)	Total P (lbs/acre)	Total K (lbs/acre)	Total salt (lbs/acre)
Existing soil nutrient content	0.00	0.00	0.00	0.00
Plowdown credit	0.00	0.00	0.00	0.00
Commercial fertilizer / Other	0.00	0.00	0.00	0.00
Dry manure	116.27	29.74	57.32	0.00
Process wastewater	153.91	36.49	252.07	1,704.68
Fresh water	15.14	0.00	0.00	0.00
Atmospheric deposition	7.00	0.00	0.00	0.00
Total nutrients applied	292.32	66.23	309.39	1,704.68
Anticipated crop nutrient removal	160.00	25.60	132.80	0.00
Actual crop nutrient removal	208.59	41.96	386.01	1,210.79
Nutrient balance	83.73	24.28	-76.62	493.89
Applied to removed ratio	1.40	1.58	0.80	1.41

Fresh water applied	
7,652,295.00	*gallons*
281.81	*acre-inches*
10.44	*inches/acre*

Process wastewater applied	
1,344,000.00	*gallons*
49.49	*acre-inches*
1.83	*inches/acre*

Total harvests for the crop	
1	*harvests*

Field 2 (West Main) - 05/26/2023: Corn, silage

Field name: Field 2 (West Main) Crop: Corn, silage Plant date: 05/26/2023

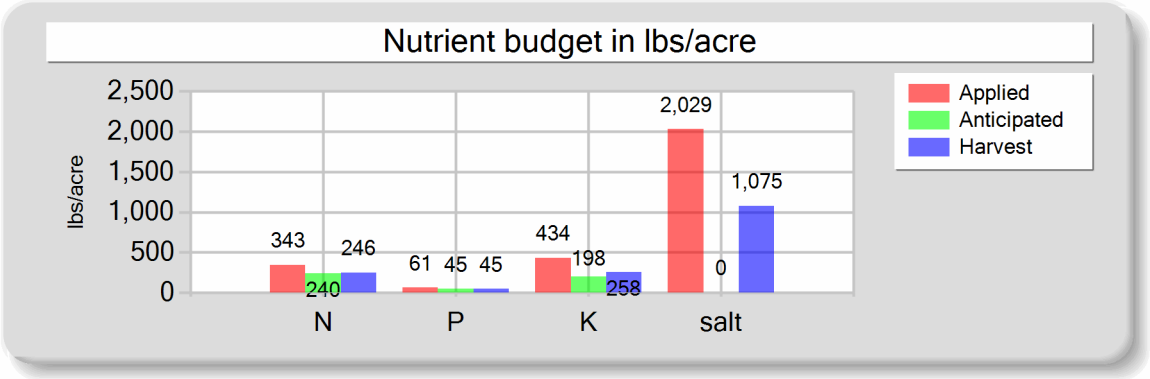

	Total N (lbs/acre)	Total P (lbs/acre)	Total K (lbs/acre)	Total salt (lbs/acre)
Existing soil nutrient content	0.00	0.00	0.00	0.00
Plowdown credit	0.00	0.00	0.00	0.00
Commercial fertilizer / Other	0.00	0.00	0.00	0.00
Dry manure	0.00	0.00	0.00	0.00
Process wastewater	278.00	60.54	434.43	2,029.31
Fresh water	58.11	0.00	0.00	0.00
Atmospheric deposition	7.00	0.00	0.00	0.00
Total nutrients applied	343.11	60.54	434.43	2,029.31
Anticipated crop nutrient removal	240.00	45.00	198.00	0.00
Actual crop nutrient removal	246.40	44.80	257.60	1,075.20
Nutrient balance	96.71	15.74	176.83	954.11
Applied to removed ratio	1.39	1.35	1.69	1.89

Fresh water applied	
29,375,061.00	*gallons*
1,081.78	*acre-inches*
40.07	*inches/acre*

Process wastewater applied	
2,725,800.00	*gallons*
100.38	*acre-inches*
3.72	*inches/acre*

Total harvests for the crop	
1	*harvests*

Field 3 (Monte Vista) - 11/21/2022: Oats, silage-soft dough

Field name: Field 3 (Monte Vista) Crop: Oats, silage-soft dough Plant date: 11/21/2022

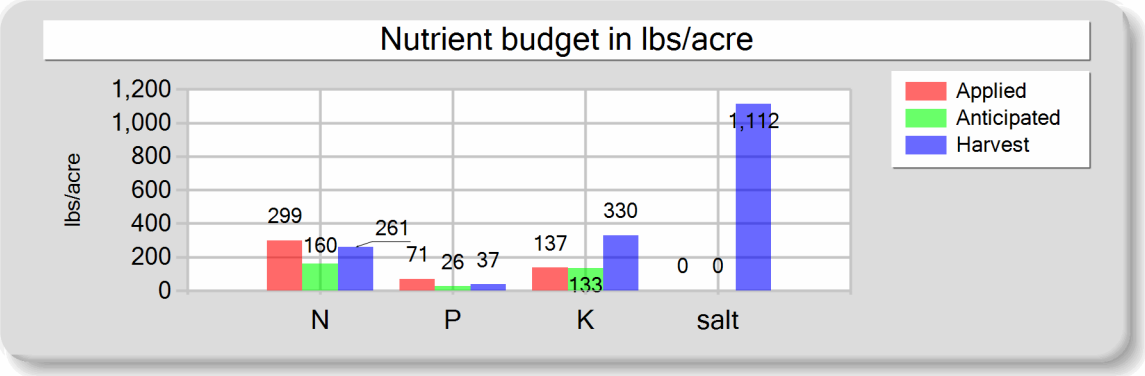

	Total N (lbs/acre)	Total P (lbs/acre)	Total K (lbs/acre)	Total salt (lbs/acre)
Existing soil nutrient content	0.00	0.00	0.00	0.00
Plowdown credit	0.00	0.00	0.00	0.00
Commercial fertilizer / Other	0.00	0.00	0.00	0.00
Dry manure	277.26	70.93	136.70	0.00
Process wastewater	0.00	0.00	0.00	0.00
Fresh water	14.71	0.00	0.00	0.00
Atmospheric deposition	7.00	0.00	0.00	0.00
Total nutrients applied	298.97	70.93	136.70	0.00
Anticipated crop nutrient removal	160.00	25.60	132.80	0.00
Actual crop nutrient removal	261.36	36.72	330.48	1,112.40
Nutrient balance	37.61	34.21	-193.78	-1,112.40
Applied to removed ratio	1.14	1.93	0.41	0.00

Fresh water applied
5,507,450.00 *gallons*
202.82 *acre-inches*
10.14 *inches/acre*

Process wastewater applied
0.00 *gallons*
0.00 *acre-inches*
0.00 *inches/acre*

Total harvests for the crop
1 *harvests*

Field 3 (Monte Vista) - 05/31/2023: Corn, silage

Field name: Field 3 (Monte Vista) Crop: Corn, silage Plant date: 05/31/2023

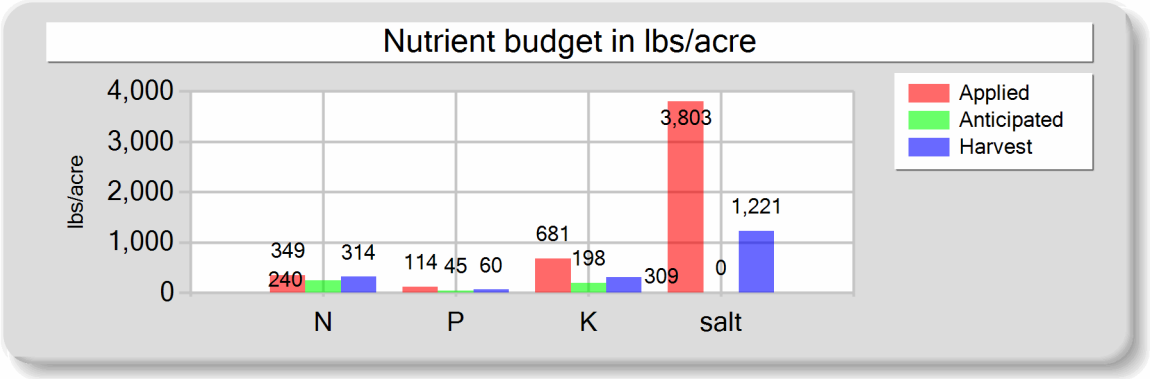

	Total N (lbs/acre)	Total P (lbs/acre)	Total K (lbs/acre)	Total salt (lbs/acre)
Existing soil nutrient content	0.00	0.00	0.00	0.00
Plowdown credit	0.00	0.00	0.00	0.00
Commercial fertilizer / Other	0.00	0.00	0.00	0.00
Dry manure	282.32	113.79	681.31	3,802.66
Process wastewater	0.00	0.00	0.00	0.00
Fresh water	59.44	0.00	0.00	0.00
Atmospheric deposition	7.00	0.00	0.00	0.00
Total nutrients applied	348.76	113.79	681.31	3,802.66
Anticipated crop nutrient removal	240.00	45.00	198.00	0.00
Actual crop nutrient removal	314.41	59.76	309.21	1,221.25
Nutrient balance	34.35	54.03	372.10	2,581.41
Applied to removed ratio	1.11	1.90	2.20	3.11

Fresh water applied	
22,259,264.00	*gallons*
819.73	*acre-inches*
40.99	*inches/acre*

Process wastewater applied	
0.00	*gallons*
0.00	*acre-inches*
0.00	*inches/acre*

Total harvests for the crop	
1	*harvests*

Field 7 (Faith Home) - 11/05/2020: Alfalfa, hay

Field name: Field 7 (Faith Home) Crop: Alfalfa, hay Plant date: 11/05/2020

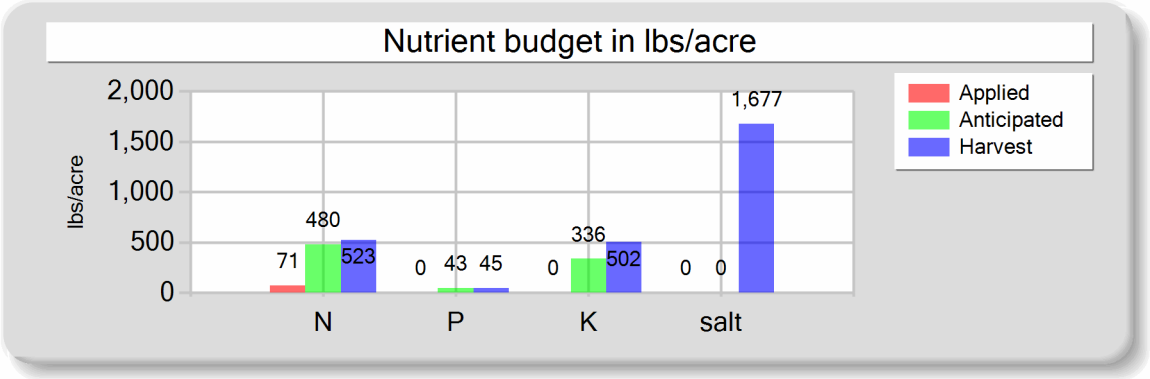

	Total N (lbs/acre)	Total P (lbs/acre)	Total K (lbs/acre)	Total salt (lbs/acre)
Existing soil nutrient content	0.00	0.00	0.00	0.00
Plowdown credit	0.00	0.00	0.00	0.00
Commercial fertilizer / Other	0.00	0.00	0.00	0.00
Dry manure	0.00	0.00	0.00	0.00
Process wastewater	0.00	0.00	0.00	0.00
Fresh water	56.79	0.00	0.00	0.00
Atmospheric deposition	14.00	0.00	0.00	0.00
Total nutrients applied	70.79	0.00	0.00	0.00
Anticipated crop nutrient removal	480.00	43.20	336.00	0.00
Actual crop nutrient removal	523.27	45.00	502.28	1,677.40
Nutrient balance	-452.49	-45.00	-502.28	-1,677.40
Applied to removed ratio	0.14	0.00	0.00	0.00

Fresh water applied	
42,529,218.00	*gallons*
1,566.21	*acre-inches*
39.16	*inches/acre*

Process wastewater applied	
0.00	*gallons*
0.00	*acre-inches*
0.00	*inches/acre*

Total harvests for the crop	
2	*harvests*

Field 8 (Williams) - 10/22/2021: Alfalfa, hay

Field name: Field 8 (Williams) Crop: Alfalfa, hay Plant date: 10/22/2021

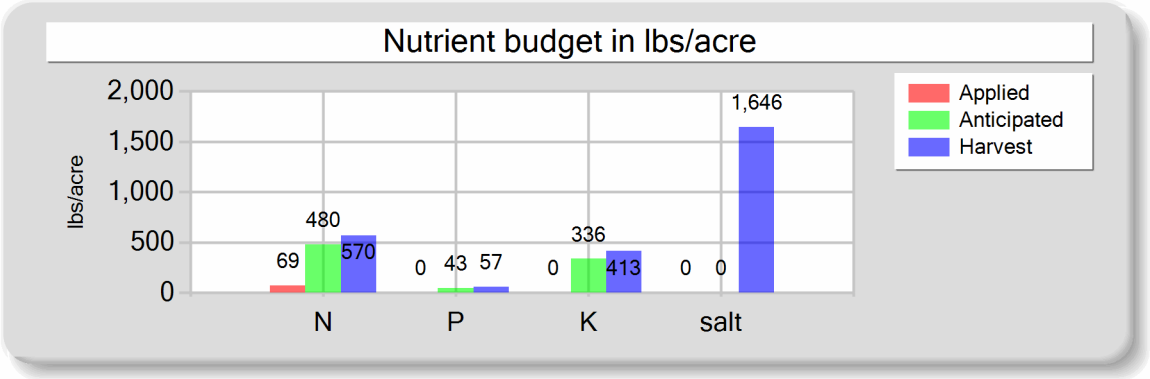

	Total N (lbs/acre)	Total P (lbs/acre)	Total K (lbs/acre)	Total salt (lbs/acre)
Existing soil nutrient content	0.00	0.00	0.00	0.00
Plowdown credit	0.00	0.00	0.00	0.00
Commercial fertilizer / Other	0.00	0.00	0.00	0.00
Dry manure	0.00	0.00	0.00	0.00
Process wastewater	0.00	0.00	0.00	0.00
Fresh water	55.43	0.00	0.00	0.00
Atmospheric deposition	14.00	0.00	0.00	0.00
Total nutrients applied	69.43	0.00	0.00	0.00
Anticipated crop nutrient removal	480.00	43.20	336.00	0.00
Actual crop nutrient removal	569.52	57.12	413.28	1,646.40
Nutrient balance	-500.09	-57.12	-413.28	-1,646.40
Applied to removed ratio	0.12	0.00	0.00	0.00

Fresh water applied	
36,322,600.00	*gallons*
1,337.64	*acre-inches*
38.22	*inches/acre*

Process wastewater applied	
0.00	*gallons*
0.00	*acre-inches*
0.00	*inches/acre*

Total harvests for the crop	
2	*harvests*

Field 9 (Highway 99) - 11/14/2022: Wheat Hay

Field name: Field 9 (Highway 99) Crop: Wheat Hay Plant date: 11/14/2022

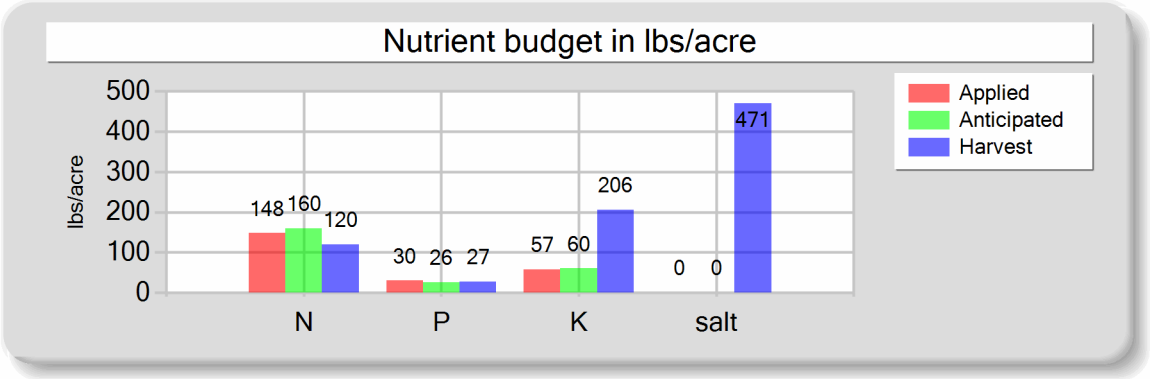

	Total N (lbs/acre)	Total P (lbs/acre)	Total K (lbs/acre)	Total salt (lbs/acre)
Existing soil nutrient content	0.00	0.00	0.00	0.00
Plowdown credit	0.00	0.00	0.00	0.00
Commercial fertilizer / Other	0.00	0.00	0.00	0.00
Dry manure	116.27	29.74	57.32	0.00
Process wastewater	0.00	0.00	0.00	0.00
Fresh water	24.42	0.00	0.00	0.00
Atmospheric deposition	7.00	0.00	0.00	0.00
Total nutrients applied	147.69	29.74	57.32	0.00
Anticipated crop nutrient removal	160.00	26.00	60.00	0.00
Actual crop nutrient removal	119.93	26.90	206.23	470.74
Nutrient balance	27.77	2.84	-148.90	-470.74
Applied to removed ratio	1.23	1.11	0.28	0.00

Fresh water applied	
16,003,580.00	*gallons*
589.36	*acre-inches*
16.84	*inches/acre*

Process wastewater applied	
0.00	*gallons*
0.00	*acre-inches*
0.00	*inches/acre*

Total harvests for the crop	
1	*harvests*

Field 9 (Highway 99) - 06/15/2023: Corn, silage

Field name: Field 9 (Highway 99) Crop: Corn, silage Plant date: 06/15/2023

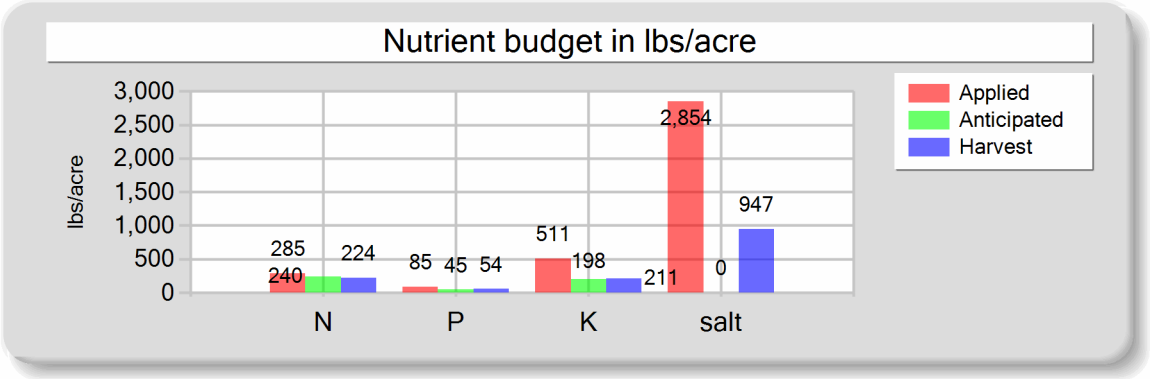

	Total N (lbs/acre)	Total P (lbs/acre)	Total K (lbs/acre)	Total salt (lbs/acre)
Existing soil nutrient content	0.00	0.00	0.00	0.00
Plowdown credit	0.00	0.00	0.00	0.00
Commercial fertilizer / Other	0.00	0.00	0.00	0.00
Dry manure	211.89	85.41	511.36	2,854.08
Process wastewater	0.00	0.00	0.00	0.00
Fresh water	65.81	0.00	0.00	0.00
Atmospheric deposition	7.00	0.00	0.00	0.00
Total nutrients applied	284.70	85.41	511.36	2,854.08
Anticipated crop nutrient removal	240.00	45.00	198.00	0.00
Actual crop nutrient removal	223.89	53.82	210.97	947.23
Nutrient balance	60.81	31.59	300.38	1,906.85
Applied to removed ratio	1.27	1.59	2.42	3.01

Fresh water applied	
43,125,531.00	*gallons*
1,588.17	*acre-inches*
45.38	*inches/acre*

Process wastewater applied	
0.00	*gallons*
0.00	*acre-inches*
0.00	*inches/acre*

Total harvests for the crop	
1	*harvests*

NUTRIENT ANALYSES

A. MANURE ANALYSES

Fall 2022 Separator Manure

Sample and source description: Fall 2022 Separator Manure

Sample date: 10/19/2022 Material type: Separator solids Source of analysis: Lab analysis Method of reporting: Dry-weight

Moisture: 79.2 %

	Total N (mg/kg)	Total P (mg/kg)	Total K (mg/kg)	Calcium (mg/kg)	Magnesium (mg/kg)	Sodium (mg/kg)	Sulfur (mg/kg)	Chloride (mg/kg)	Total salt (mg/kg)	TFS (%)
Value	21,500.00	5,500.00	10,600.00							0.00
DL	0.01	0.01	0.01							1.00

Separator Manure

Sample and source description: Separator Manure

Sample date: 05/10/2023 Material type: Separator solids Source of analysis: Lab analysis Method of reporting: Dry-weight

Moisture: 72.3 %

	Total N (mg/kg)	Total P (mg/kg)	Total K (mg/kg)	Calcium (mg/kg)	Magnesium (mg/kg)	Sodium (mg/kg)	Sulfur (mg/kg)	Chloride (mg/kg)	Total salt (mg/kg)	TFS (%)
Value	19,600.00	7,900.00	47,300.00	16,700.00	7,900.00	8,100.00	4,800.00	200.00		26.40
DL	0.01	0.01	0.01	0.01	0.01	0.01	0.01	0.01		10.00

Corral Manure

Sample and source description: Corral Manure

Sample date: 11/15/2023 Material type: Corral solids Source of analysis: Lab analysis Method of reporting: Dry-weight

Moisture: 19.7 %

	Total N (mg/kg)	Total P (mg/kg)	Total K (mg/kg)	Calcium (mg/kg)	Magnesium (mg/kg)	Sodium (mg/kg)	Sulfur (mg/kg)	Chloride (mg/kg)	Total salt (mg/kg)	TFS (%)
Value	22,500.00	9,500.00	32,000.00							0.00
DL	0.01	0.01	0.01							1.00

B. PROCESS WASTEWATER ANALYSES

Lagoon Q4 2022

Sample and source description: Lagoon Q4 2022

Sample date: 11/02/2022 Material type: Process wastewater Source of analysis: Lab analysis pH: 7.60

	Kjeldahl-N (mg/L)	NH4-N (mg/L)	NH3-N (mg/L)	Nitrate-N (mg/L)	Total P (mg/L)	Total K (mg/L)	Calcium (mg/L)	Magnes. (mg/L)	Sodium (mg/L)	Bicarb. (mg/L)	Carb. (mg/L)	Sulfate (mg/L)	Chloride (mg/L)	EC (µmhos/cm)	TDS (mg/L)
Value	309.00	192.00	0.00	1.50	74.50	469.00								5,630.00	3,640
DL	0.01	0.01	0.01	0.01	0.01	0.01								10.00	1

Imported Lagoon Q1

Sample and source description: Imported Lagoon Q1

Sample date: 02/10/2023 Material type: Process wastewater Source of analysis: Lab analysis pH: 0.00

	Kjeldahl-N (mg/L)	NH4-N (mg/L)	NH3-N (mg/L)	Nitrate-N (mg/L)	Total P (mg/L)	Total K (mg/L)	Calcium (mg/L)	Magnes. (mg/L)	Sodium (mg/L)	Bicarb. (mg/L)	Carb. (mg/L)	Sulfate (mg/L)	Chloride (mg/L)	EC (µmhos/cm)	TDS (mg/L)
Value	1,070.00	400.00	0.00	0.00	133.00	1,040.00								7,630.00	4,700
DL	0.01	0.01	0.01	0.01	0.01	0.01								10.00	1

Lagoon Q1

Sample and source description: Lagoon Q1

Sample date: 03/06/2023 Material type: Process wastewater Source of analysis: Lab analysis pH: 7.40

	Kjeldahl-N (mg/L)	NH4-N (mg/L)	NH3-N (mg/L)	Nitrate-N (mg/L)	Total P (mg/L)	Total K (mg/L)	Calcium (mg/L)	Magnes. (mg/L)	Sodium (mg/L)	Bicarb. (mg/L)	Carb. (mg/L)	Sulfate (mg/L)	Chloride (mg/L)	EC (µmhos/cm)	TDS (mg/L)
Value	342.00	230.00	0.00	1.00	85.10	443.00								5,690.00	2,920
DL	0.01	0.01	0.01	0.01	0.01	0.01								10.00	1

Lagoon Q2

Sample and source description: Lagoon Q2

Sample date: 05/10/2023 Material type: Process wastewater Source of analysis: Lab analysis pH: 7.20

	Kjeldahl-N (mg/L)	NH4-N (mg/L)	NH3-N (mg/L)	Nitrate-N (mg/L)	Total P (mg/L)	Total K (mg/L)	Calcium (mg/L)	Magnes. (mg/L)	Sodium (mg/L)	Bicarb. (mg/L)	Carb. (mg/L)	Sulfate (mg/L)	Chloride (mg/L)	EC (µmhos/cm)	TDS (mg/L)
Value	446.00	273.00	0.00	1.70	105.00	784.00								9,090.00	4,700
DL	0.01	0.01	0.01	0.01	0.01	0.01								10.00	1

Lagoon Q3

Sample and source description: Lagoon Q3

Sample date: 07/27/2023 Material type: Process wastewater Source of analysis: Lab analysis pH: 7.40

	Kjeldahl-N (mg/L)	NH4-N (mg/L)	NH3-N (mg/L)	Nitrate-N (mg/L)	Total P (mg/L)	Total K (mg/L)	Calcium (mg/L)	Magnes. (mg/L)	Sodium (mg/L)	Bicarb. (mg/L)	Carb. (mg/L)	Sulfate (mg/L)	Chloride (mg/L)	EC (µmhos/cm)	TDS (mg/L)
Value	294.00	201.00	0.00	0.60	61.90	435.00								4,910.00	1,720
DL	0.01	0.01	0.01	0.01	0.01	0.01								10.00	1

Lagoon Q4

Sample and source description: Lagoon Q4

Sample date: 11/16/2023 Material type: Process wastewater Source of analysis: Lab analysis pH: 7.40

	Kjeldahl-N (mg/L)	NH4-N (mg/L)	NH3-N (mg/L)	Nitrate-N (mg/L)	Total P (mg/L)	Total K (mg/L)	Calcium (mg/L)	Magnes. (mg/L)	Sodium (mg/L)	Bicarb. (mg/L)	Carb. (mg/L)	Sulfate (mg/L)	Chloride (mg/L)	EC (µmhos/cm)	TDS (mg/L)
Value	423.00	238.00	0.00	0.00	89.00	548.00								6,540.00	3,780
DL	0.01	0.01	0.01	0.01	0.01	0.01								10.00	1

C. FRESH WATER ANALYSES

Canal

TID Canal

Sample description: TID Canal

Sample date: 09/21/2023 Source of analysis: Lab analysis

	Total N (mg/L)	NH4-N (mg/L)	Nitrate-N (mg/L)	Calcium (mg/L)	Magnesium (mg/L)	Sodium (mg/L)	Bicarbonate (mg/L)	Carbonate (mg/L)	Sulfate (mg/L)	Chloride (mg/L)	EC (µmhos/cm)	TDS (mg/L)
Value	6.40	0.00	6.40								284.00	0
DL	0.01	0.01	0.01								10.00	1

Domestic Well

Domestic Well

Domestic Well Milk Barn

Sample description: Domestic Well Milk Barn

Sample date: 12/11/2023 Source of analysis: Lab analysis

	Total N (mg/L)	NH4-N (mg/L)	Nitrate-N (mg/L)	Calcium (mg/L)	Magnesium (mg/L)	Sodium (mg/L)	Bicarbonate (mg/L)	Carbonate (mg/L)	Sulfate (mg/L)	Chloride (mg/L)	EC (µmhos/cm)	TDS (mg/L)
Value	0.30	0.00	0.30								600.00	0
DL	0.01	0.01	0.01								10.00	1

Domestic Well New

Sample description: Domestic Well New

Sample date: 12/11/2023 Source of analysis: Lab analysis

	Total N (mg/L)	NH4-N (mg/L)	Nitrate-N (mg/L)	Calcium (mg/L)	Magnesium (mg/L)	Sodium (mg/L)	Bicarbonate (mg/L)	Carbonate (mg/L)	Sulfate (mg/L)	Chloride (mg/L)	EC (µmhos/cm)	TDS (mg/L)
Value	0.30	0.00	0.30								593.00	0
DL	0.01	0.01	0.01								10.00	1

Irrigation Well

Irrigation Well

Sample description: Irrigation Well

Sample date: 09/26/2023 Source of analysis: Lab analysis

	Total N (mg/L)	NH4-N (mg/L)	Nitrate-N (mg/L)	Calcium (mg/L)	Magnesium (mg/L)	Sodium (mg/L)	Bicarbonate (mg/L)	Carbonate (mg/L)	Sulfate (mg/L)	Chloride (mg/L)	EC (µmhos/cm)	TDS (mg/L)
Value	16.00	0.00	16.00								709.00	0
DL	0.01	0.01	0.01								10.00	1

Irrigation Well - Average

Irrigation Well - Average

Imported IW - Average

Sample description: Imported IW - Average

Sample date: 12/28/2023 Source of analysis: Lab analysis

	Total N (mg/L)	NH4-N (mg/L)	Nitrate-N (mg/L)	Calcium (mg/L)	Magnesium (mg/L)	Sodium (mg/L)	Bicarbonate (mg/L)	Carbonate (mg/L)	Sulfate (mg/L)	Chloride (mg/L)	EC (µmhos/cm)	TDS (mg/L)
Value	45.20	0.00	45.20								992.00	565
DL	0.01	0.01	0.01								10.00	1

D. SOIL ANALYSES

No soil analyses entered.

E. PLANT TISSUE ANALYSES

Field 1 (Home) - 11/07/2022: Oats, silage-soft dough

Field 1 Oat Silage

Sample and source description: Field 1 Oat Silage

Sample date: 05/15/2023 Source of analysis: Lab analysis Method of reporting: Dry-weight

Moisture: 62.7 %

	Total N (mg/kg)	Total P (mg/kg)	Total K (mg/kg)	Total salt (mg/kg)	TFS (%)
Value	15,700.00	3,100.00	32,200.00		9.50
DL	0.01	0.01	0.01		1.00

Field 1 (Home) - 05/26/2023: Corn, silage

Field 1 (Home) - 05/26/2023: Corn, silage

Field 1 Corn Silage

Sample and source description: Field 1 Corn Silage

Sample date: 10/02/2023 Source of analysis: Lab analysis Method of reporting: Dry-weight

Moisture: 60.4 %

	Total N (mg/kg)	Total P (mg/kg)	Total K (mg/kg)	Total salt (mg/kg)	TFS (%)
Value	10,000.00	2,100.00	13,300.00		5.50
DL	0.01	0.01	0.01		1.00

Field 10 (Washington) - 11/14/2022: Wheat Hay

Field 10 Wheat Hay

Sample and source description: Field 10 Wheat Hay

Sample date: 05/10/2022 Source of analysis: Lab analysis Method of reporting: Dry-weight

Moisture: 6.6 %

	Total N (mg/kg)	Total P (mg/kg)	Total K (mg/kg)	Total salt (mg/kg)	TFS (%)
Value	10,700.00	2,400.00	18,400.00		4.20
DL	0.01	0.01	0.01		1.00

Field 10 (Washington) - 06/15/2023: Corn, silage

Field 10 Corn Silage

Sample and source description: Field 10 Corn Silage

Sample date: 10/20/2023 Source of analysis: Lab analysis Method of reporting: Dry-weight

Moisture: 57.8 %

	Total N (mg/kg)	Total P (mg/kg)	Total K (mg/kg)	Total salt (mg/kg)	TFS (%)
Value	11,400.00	2,500.00	9,900.00		4.60
DL	0.01	0.01	0.01		1.00

Field 11 (New) - 11/21/2022: Oats, silage-soft dough

Field 11 Oat Silage

Sample and source description: Field 11 Oat Silage

Sample date: 05/24/2023 Source of analysis: Lab analysis Method of reporting: Dry-weight

Moisture: 54.4 %

	Total N (mg/kg)	Total P (mg/kg)	Total K (mg/kg)	Total salt (mg/kg)	TFS (%)
Value	25,400.00	3,700.00	32,800.00		11.60
DL	0.01	0.01	0.01		1.00

Field 11 (New) - 05/31/2023: Corn, silage

Field 11 Corn Silage

Sample and source description: Field 11 Corn Silage

Sample date: 10/13/2023 Source of analysis: Lab analysis Method of reporting: Dry-weight

Moisture: 37.2 %

	Total N (mg/kg)	Total P (mg/kg)	Total K (mg/kg)	Total salt (mg/kg)	TFS (%)
Value	11,500.00	2,400.00	7,500.00		5.80
DL	0.01	0.01	0.01		1.00

Field 2 (West Main) - 11/07/2022: Oats, silage-soft dough

Field 2 Oat Silage

Sample and source description: Field 2 Oat Silage

Sample date: 05/15/2023 Source of analysis: Lab analysis Method of reporting: Dry-weight

Moisture: 66.7 %

	Total N (mg/kg)	Total P (mg/kg)	Total K (mg/kg)	Total salt (mg/kg)	TFS (%)
Value	17,400.00	3,500.00	32,200.00		10.10
DL	0.01	0.01	0.01		1.00

Field 2 (West Main) - 05/26/2023: Corn, silage

Field 2 Corn Silage

Sample and source description: Field 2 Corn Silage

Sample date: 10/02/2023 Source of analysis: Lab analysis Method of reporting: Dry-weight

Moisture: 60.0 %

	Total N (mg/kg)	Total P (mg/kg)	Total K (mg/kg)	Total salt (mg/kg)	TFS (%)
Value	11,000.00	2,000.00	11,500.00		4.80
DL	0.01	0.01	0.01		1.00

Field 3 (Monte Vista) - 11/21/2022: Oats, silage-soft dough

Field 3 Oat Silage

Sample and source description: Field 3 Oat Silage

Sample date: 05/24/2023 Source of analysis: Lab analysis Method of reporting: Dry-weight

Moisture: 62.2 %

	Total N (mg/kg)	Total P (mg/kg)	Total K (mg/kg)	Total salt (mg/kg)	TFS (%)
Value	24,200.00	3,400.00	30,600.00		10.30
DL	0.01	0.01	0.01		1.00

Field 3 (Monte Vista) - 05/31/2023: Corn, silage

Field 3 Corn Silage

Sample and source description: Field 3 Corn Silage

Sample date: 10/13/2023 Source of analysis: Lab analysis Method of reporting: Dry-weight

Moisture: 55.2 %

	Total N (mg/kg)	Total P (mg/kg)	Total K (mg/kg)	Total salt (mg/kg)	TFS (%)
Value	12,100.00	2,300.00	11,900.00		4.70
DL	0.01	0.01	0.01		1.00

Field 7 (Faith Home) - 11/05/2020: Alfalfa, hay

Field 7 Alfalfa

Sample and source description: Field 7 Alfalfa
Sample date: 07/29/2021 Source of analysis: Lab analysis Method of reporting: Dry-weight
Moisture: 8.0 %

	Total N (mg/kg)	Total P (mg/kg)	Total K (mg/kg)	Total salt (mg/kg)	TFS (%)
Value	42,500.00	3,600.00	41,800.00		12.00
DL	0.01	0.01	0.01		1.00

Field 7 Alfalfa

Sample and source description: Field 7 Alfalfa
Sample date: 12/07/2021 Source of analysis: Lab analysis Method of reporting: Dry-weight
Moisture: 6.2 %

	Total N (mg/kg)	Total P (mg/kg)	Total K (mg/kg)	Total salt (mg/kg)	TFS (%)
Value	20,300.00	1,800.00	18,500.00		8.10
DL	0.01	0.01	0.01		1.00

Field 8 (Williams) - 10/22/2021: Alfalfa, hay

Field 8 Alfalfa

Sample and source description: Field 8 Alfalfa
Sample date: 05/22/2023 Source of analysis: Lab analysis Method of reporting: Dry-weight
Moisture: 16.0 %

	Total N (mg/kg)	Total P (mg/kg)	Total K (mg/kg)	Total salt (mg/kg)	TFS (%)
Value	33,900.00	3,400.00	24,600.00		9.80
DL	0.01	0.01	0.01		1.00

Field 9 (Highway 99) - 11/14/2022: Wheat Hay

Field 9 (Highway 99) - 11/14/2022: Wheat Hay

Field 9 Wheat Hay

Sample and source description: Field 9 Wheat Hay

Sample date: 05/10/2022 Source of analysis: Lab analysis Method of reporting: Dry-weight

Moisture: 6.6 %

	Total N (mg/kg)	Total P (mg/kg)	Total K (mg/kg)	Total salt (mg/kg)	TFS (%)
Value	10,700.00	2,400.00	18,400.00		4.20
DL	0.01	0.01	0.01		1.00

Field 9 (Highway 99) - 06/15/2023: Corn, silage

Field 9 Corn Silage

Sample and source description: Field 9 Corn Silage

Sample date: 10/20/2023 Source of analysis: Lab analysis Method of reporting: Dry-weight

Moisture: 58.6 %

	Total N (mg/kg)	Total P (mg/kg)	Total K (mg/kg)	Total salt (mg/kg)	TFS (%)
Value	10,400.00	2,500.00	9,800.00		4.40
DL	0.01	0.01	0.01		1.00

F. SUBSURFACE (TILE) DRAINAGE ANALYSES

No subsurface (tile) drainage analyses entered.

NUTRIENT APPLICATIONS, POTENTIAL REMOVAL, AND BALANCE

A. SUMMARY OF NUTRIENT APPLICATIONS, POTENTIAL REMOVAL, AND BALANCE

	Total N (lbs)	Total P (lbs)	Total K (lbs)	Total salt (lbs)
Existing soil nutrient content	0.00	0.00	0.00	0.00
Plowdown credit	0.00	0.00	0.00	0.00
Commercial fertilizer / Other	0.00	0.00	0.00	0.00
Dry manure	63,968.69	21,593.99	99,740.88	478,403.38
Process wastewater	28,297.98	5,935.06	42,389.91	227,955.29
Fresh water	20,573.36	0.00	0.00	10,184.24
Atmospheric deposition	4,102.00	0.00	0.00	0.00
Total nutrients applied	116,942.03	27,529.05	142,130.79	716,542.91
Anticipated crop nutrient removal	123,200.00	18,678.80	88,578.40	0.00
Actual crop nutrient removal	131,095.40	22,208.19	147,323.86	530,919.40
Nutrient balance	-14,153.37	5,320.86	-5,193.07	185,623.51
Applied to removed ratio	0.89	1.24	0.96	1.35

B. POUNDS OF NUTRIENT APPLIED VS. CROP REMOVAL

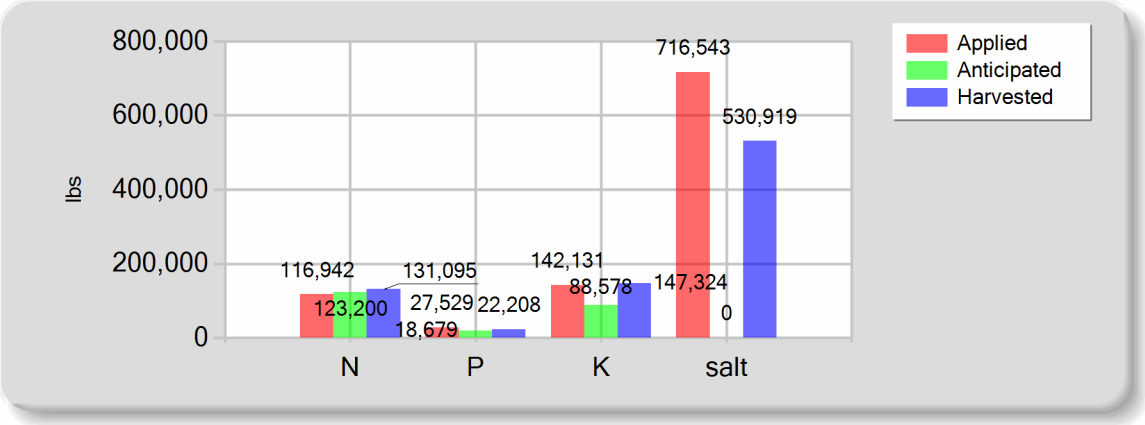

C. POUNDS OF NUTRIENT APPLIED BY MATERIAL TYPE

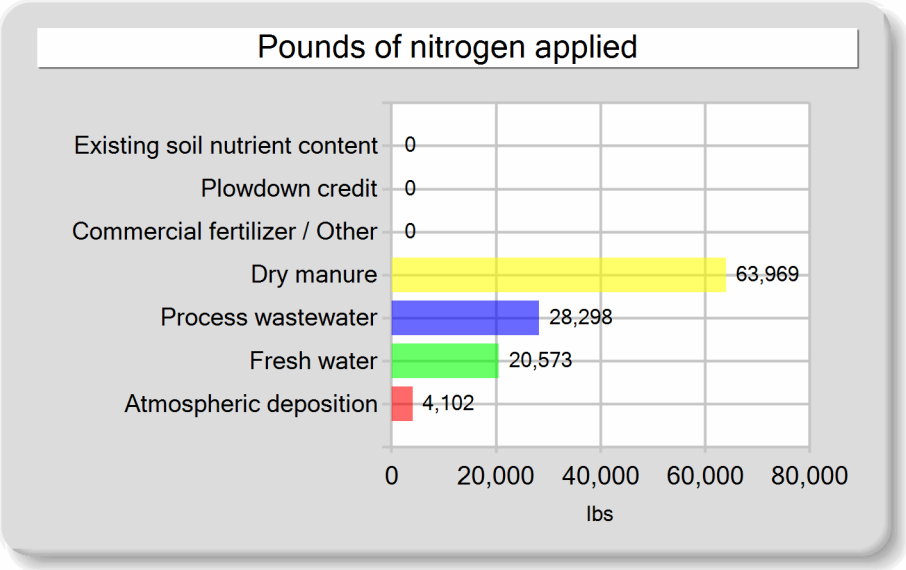

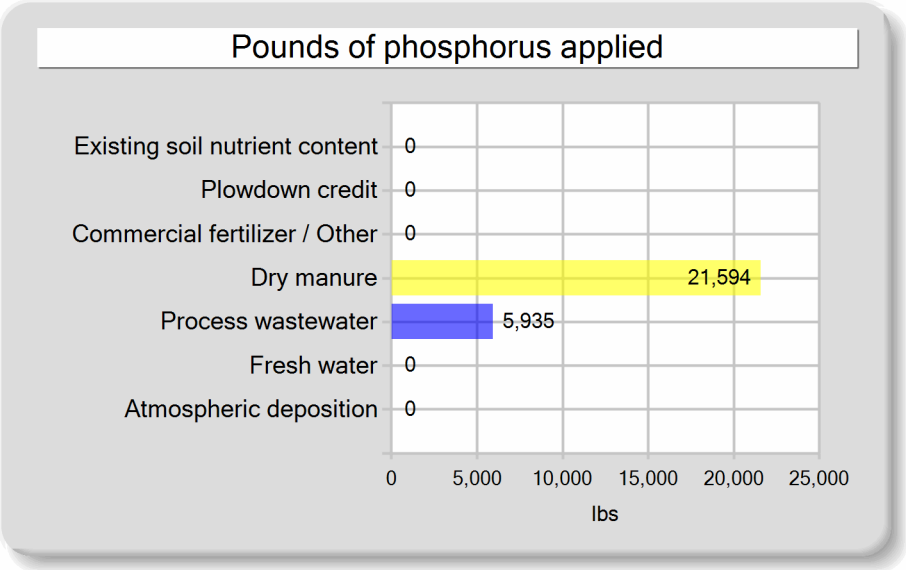

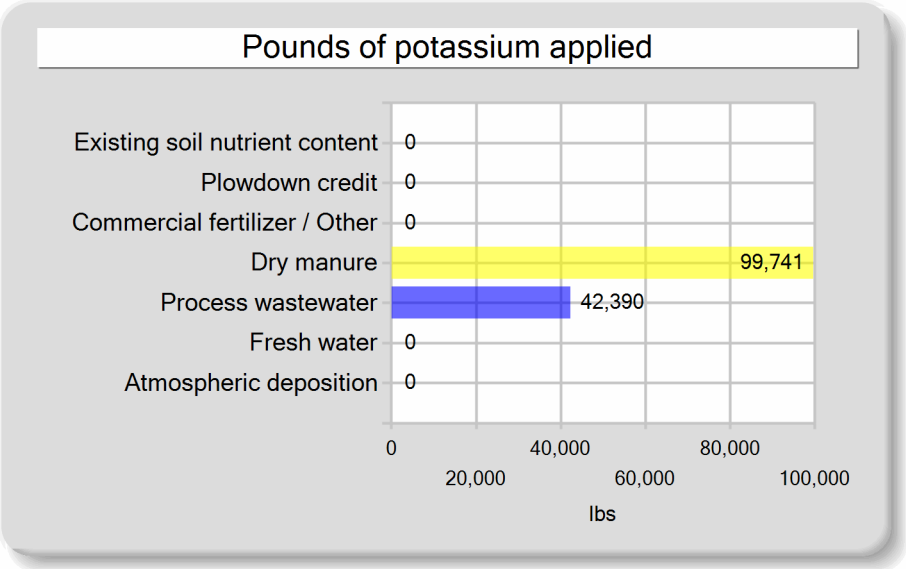

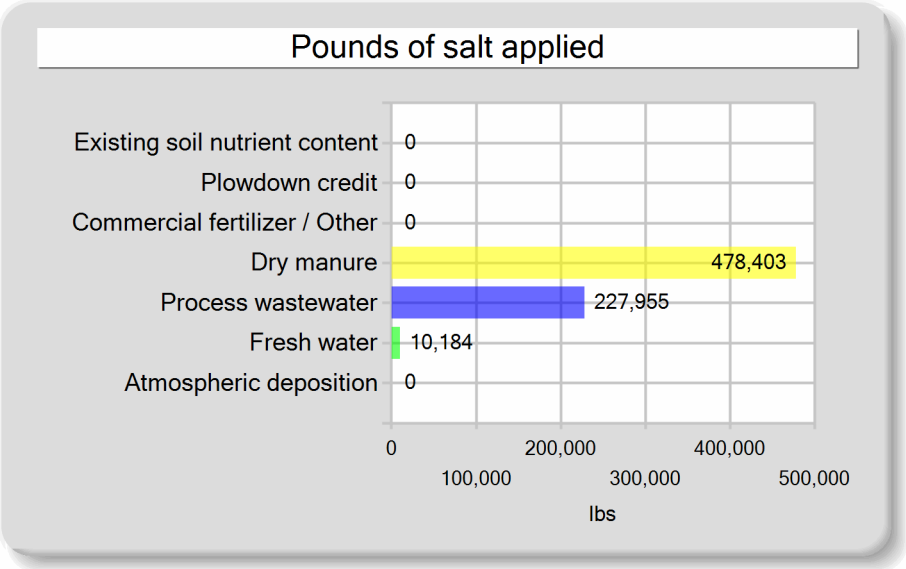

EXCEPTION REPORTING

A. MANURE, PROCESS WASTEWATER, AND OTHER DAIRY WASTE DISCHARGES

The following is a summary of all manure and process wastewater discharges from the production area to surface water or to land areas (land application areas or otherwise) when not in accordance with the facility's Nutrient Management Plan.

No manure or process wastewater discharges occurred during the reporting period.

B. STORM WATER DISCHARGES

The following is a summary of all storm water discharges from the production area to surface water during the reporting period when not in accordance with the facility 's Nutrient Management Plan.

No stormwater discharges occurred during the reporting period.

C. LAND APPLICATION AREA TO SURFACE WATER DISCHARGES

The following is a summary of all discharges from the land application area to surface water that have occurred during the reporting period when not in accordance with the facility's Nutrient Management Plan.

No land application area to surface water discharges occurred during the reporting period.

NUTRIENT MANAGEMENT PLAN AND EXPORT AGREEMENT STATEMENTS

A. NUTRIENT MANAGEMENT PLAN STATEMENTS

Was the facility's NMP updated in the reporting period?	Yes
Was the facility's NMP developed by a certified nutrient management planner (specialist) as specified in Attachment C of the General Order?	Yes
Was the facility's NMP approved by a certified nutrient management planner (specialist) as specified in Attachment C of the General Order?	Yes

B. EXPORT AGREEMENT STATEMENT

Are there any written agreements with third parties to receive manure or process wastewater that are new or were revised within the reporting period?	No

ADDITIONAL NOTES

A. NOTES

No notes entered for this annual report.

CERTIFICATION

A. OWNER AND/OR OPERATOR CERTIFICATION

I certify under penalty of law that I have personally examined and am familiar with the information submitted in this document and all attachments and that, based on my inquiry of those individuals immediately responsible for obtaining the information, I believe that the information is true, accurate, and complete. I am aware that there are significant penalties for submitting false information, including the possibility of fine and imprisonment.

Surinder Johal

SIGNATURE OF OWNER OF FACILITY	SIGNATURE OF OPERATOR OF FACILITY
GURDIAL & SURINDER JOHAL	SAME AS OWNER
PRINT OR TYPE NAME	PRINT OR TYPE NAME
Jun 6, 2024	
DATE	DATE

ATTACHMENTS

A. REQUIRED ATTACHMENTS

The following lists the required documents that should be attached to the Annual Report when submitted .

Annual Dairy Facility Assessment
Provide an Annual Dairy Facility Assessment (an update to the Preliminary Dairy Facility Assessment in Attachment A) for each reporting period. On the PDFA Final page, click on the ADFA Report button to generate an ADFA report after updating information as needed .

Manure/Process Wastewater Tracking Manifests
Provide copies of all manure/process wastewater tracking manifests for the reporting period, signed by both the owner/operator and the hauler.

Corrective Actions Documents
Provide records documenting any corrective actions taken to correct deficiencies noted as a result of the inspections required in the Monitoring Requirements of the General Order. Deficiencies not corrected in 30 days must be accompanied by an explanation of the factors preventing immediate correction.

Groundwater Monitoring
Dischargers that monitor supply wells or subsurface (tile) drainage systems, or that have monitoring well systems must submit monitoring results as directed in the General Order, Groundwater Reporting Section starting on page MRP-13.

Storm Water Monitoring
Dischargers that are required to monitor storm water more frequently than required in the General Order must submit monitoring results as directed in the General Order, Storm Water Reporting Section on page MRP-14.

DELLAVALLE LABORATORY INC

Report of Dairy Well Water Analysis

Lab No.: 23I1630
Sampled By: M Pedroso
Requested By: Surinder Johal
Submitted Date: 09/26/23
Reported Date: 09/29/23
Project:
Crop ID:

Johal Dairy
6354 W Zeering Road
Turlock CA 95380
00-0021411 08

E-mail:
Copy To: cas.labs@yahoo.com

		Date Sampled	Time Sampled	EC µmhos/cm	EC mmhos/cm	NO_3-N mg/L	Field NH_4-N mg/L	Total NH_4-N mg/L	pH at 25°C unit
1	IW (Outlet)	9/25/23	14:30	709	0.71	16	ND		8.1

***** = Field NH4-N not Taken.
ND = None Detected

Approved By: Scott M Friedland

Laboratory Director\Technical Manager
ELAP Certification #1595
A2LA Certification #6440.02

DELLAVALLE LABORATORY INC

Report of Dairy Well Water Analysis

Lab No.: 23I1630
Sampled By: M Pedroso
Requested By: Surinder Johal
Submitted Date: 09/26/23
Reported Date: 09/29/23
Project:
Crop ID:

Johal Dairy
6354 W Zeering Road
Turlock CA 95380
00-0021411 08

E-mail:
Copy To: cas.labs@yahoo.com

		Date Sampled	Time Sampled	EC µmhos/cm	EC mmhos/cm	NO_3-N mg/L	Nitrogen agricultural use Calcs *calculated from nitrate-N* lbs/AcFoot	lbs/AcInch
1	IW (Outlet)	9/25/23	14:30	709	0.71	**16**	43.68	3.64

Water for Crop Use **Nutrient Management**	Total Salts	Total Salts	Nitrate Nitrogen
Low Levels	< 900	< 0.90	< 2.0
Significant Levels	900-2200	0.90-2.2	2.0-10.0
High Levels	2200+	2.2+	10.0+

Sampling abbreviations: H.B. = hose bib, S.P. = stand pipe, Dom. = domestic well, IR = irrigation well, AG = ag well.

Nitrate exceeds Water Quality MCL levels if results are above 10 mg/l nitrate-nitrogen NO3-N (equivalent to 45 mg/l nitrate, NO3).

Total Salt results are used to monitor changes of salt in the well aquifers between annual tests.

MCL = Maximum Contaminant Level according to the California Domestic Water Quality and Monitoring Regulations (Title 22)

MDL = Method Detection Limit; **RL** = Reporting Limit, mg/L = ppm.

SM = Standard Methods for the Examination of Water and Wastewater

EPA = Environmental Protection Agency methods used unless otherwise indicated.

DELLAVALLE™
LABORATORY INC

Johal Dairy
6354 W Zeering Road
Turlock, CA 95380

Account# 00-0021411
Account Manager: Ben Nydam
Submitted By: Surinder Johal

Received: 09/26/2023 15:45
Reported: 09/29/2023 11:22

Samples in this Report

Lab ID	Sample	Matrix	Sampled By	Crop	Date Sampled
23I1630-01	IW (Outlet)	Supply Water	M Pedroso		09/25/2023 14:30

Default Cooler Temperature on Receipt °C: 15.4
Containers Intact
COC/Labels Agree
Received On Ice

Notes and Definitions

Item	Definition
H	Hold Time Exceeded
MCL	Drinking Water Maximum Contaminant Level
ND	Analyte NOT DETECTED at or above the reporting limit.
NES	Not Enough Sample
*	Not Taken
RPD	Relative Percent Difference
%REC	Percent Recovery
Source	Sample that was matrix spiked or duplicated.

Scott McFriedland

Laboratory Director/Technical Manager

ELAP Certification #1595
A2LA Certification #6440.02

The results in this report apply to the samples as received and were analyzed in accordance with the chain of custody document. This analytical report must be reproduced in its entirety. All results listed in this report are for the exclusive use of the submitting party. Dellavalle Laboratory, Inc. assumes no responsibility for report alteration, separation, detachment or third party interpretation.

DELLAVALLE™
LABORATORY INC

Johal Dairy
6354 W Zeering Road
Turlock, CA 95380

Account# 00-0021411
Account Manager: Ben Nydam
Submitted By: Surinder Johal

Received: 09/26/2023 15:45
Reported: 09/29/2023 11:22

Sample Results

Sample: IW (Outlet)
23I1630-01 (Water)

Sampled: 9/25/2023 14:30
Sampled By: M Pedroso

Analyte	Result	Units	Reporting Limit	DIL	DW MCL	Date/Time Analyzed	Method	Notes	Batch
Electrical Conductivity	**0.71**	mmhos/cm	0.01	1		09/28/23 16:18	SM 2510 B		BEI0979
Electrical Conductivity umhos	**709**	umhos/cm	10.0	1		09/28/23 16:18	SM 2510 B		BEI0979
Ammonia (as N)	ND	mg/L	0.00	1		09/25/23 14:30	Field		BEI0920
Nitrate Nitrogen as NO3N	**16.0**	mg/L	0.1	1	10	09/27/23 06:35	EPA 300.0		BEI0953
Temperature	**25.0**	units	0.0	1		09/28/23 16:18	SM 4500-H+	H	BEI0979
pH	**8.1**	units	1.0	1		09/28/23 16:18	SM 4500-H+	H	BEI0979

The results in this report apply to the samples as received and were analyzed in accordance with the chain of custody document. This analytical report must be reproduced in its entirety. All results listed in this report are for the exclusive use of the submitting party. Dellavalle Laboratory, Inc. assumes no responsibility for report alteration, separation, detachment or third party interpretation.

DELLAVALLE™ LABORATORY INC

Johal Dairy
6354 W Zeering Road
Turlock, CA 95380

Account# 00-0021411
Account Manager: Ben Nydam
Submitted By: Surinder Johal

Received: 09/26/2023 15:45
Reported: 09/29/2023 11:22

Quality Control

Analyte	Result	Qual	Reporting Limit	Units	Spike Level	Source Result	%REC	%REC Limits	RPD	RPD Limit
Batch: BEI0953										
Blank (BEI0953-BLK1)					Prepared & Analyzed: 9/26/2023					
Nitrate Nitrogen as NO3N	ND		0.1	mg/L						
Blank (BEI0953-BLK2)					Prepared & Analyzed: 9/27/2023					
Nitrate Nitrogen as NO3N	ND		0.1	mg/L						
Blank (BEI0953-BLK3)					Prepared & Analyzed: 9/27/2023					
Nitrate Nitrogen as NO3N	ND		0.1	mg/L						
Blank (BEI0953-BLK4)					Prepared & Analyzed: 9/27/2023					
Nitrate Nitrogen as NO3N	ND		0.1	mg/L						
LCS (BEI0953-BS1)					Prepared & Analyzed: 9/27/2023					
Nitrate Nitrogen as NO3N	4.9		0.1	mg/L	5.000		97.9	90-110		
LCS (BEI0953-BS2)					Prepared & Analyzed: 9/27/2023					
Nitrate Nitrogen as NO3N	4.9		0.1	mg/L	5.000		97.1	90-110		
LCS (BEI0953-BS3)					Prepared & Analyzed: 9/27/2023					
Nitrate Nitrogen as NO3N	5.1		0.1	mg/L	5.000		101	90-110		
Duplicate (BEI0953-DUP1)		**Source: 23I1523-06**			Prepared & Analyzed: 9/27/2023					
Nitrate Nitrogen as NO3N	0.5		0.1	mg/L		0.5			0.203	10
Duplicate (BEI0953-DUP2)		**Source: 23I1523-11**			Prepared & Analyzed: 9/27/2023					
Nitrate Nitrogen as NO3N	2.4		0.1	mg/L		2.4			1.56	10
Duplicate (BEI0953-DUP3)		**Source: 23I0005-01**			Prepared & Analyzed: 9/27/2023					
Nitrate Nitrogen as NO3N	5.4		0.1	mg/L		5.3			2.04	10
Matrix Spike (BEI0953-MS1)		**Source: 23I1523-06**			Prepared & Analyzed: 9/27/2023					
Nitrate Nitrogen as NO3N	5.5		0.1	mg/L	5.000	0.5	99.4	90-110		
Matrix Spike (BEI0953-MS2)		**Source: 23I1523-11**			Prepared & Analyzed: 9/27/2023					
Nitrate Nitrogen as NO3N	7.5		0.1	mg/L	5.000	2.4	102	90-110		
Matrix Spike (BEI0953-MS3)		**Source: 23I0005-01**			Prepared & Analyzed: 9/27/2023					
Nitrate Nitrogen as NO3N	8.0		0.1	mg/L	5.000	5.3	55.1	90-110		
Reference (BEI0953-SRM1)					Prepared & Analyzed: 9/26/2023					
Nitrate Nitrogen as NO3N	9.9			mg/L	10.00		98.7	90-110		
Reference (BEI0953-SRM2)					Prepared & Analyzed: 9/27/2023					
Nitrate Nitrogen as NO3N	9.8			mg/L	10.00		98.2	90-110		

The results in this report apply to the samples as received and were analyzed in accordance with the chain of custody document. This analytical report must be reproduced in its entirety. All results listed in this report are for the exclusive use of the submitting party. Dellavalle Laboratory, Inc. assumes no responsibility for report alteration, separation, detachment or third party interpretation.

DELLAVALLE™ LABORATORY INC

Johal Dairy
6354 W Zeering Road
Turlock, CA 95380

Account# 00-0021411
Account Manager: Ben Nydam
Submitted By: Surinder Johal

Received: 09/26/2023 15:45
Reported: 09/29/2023 11:22

Quality Control
(Continued)

Analyte	Result	Qual	Reporting Limit	Units	Spike Level	Source Result	%REC	%REC Limits	RPD	RPD Limit
Batch: BEI0953 (Continued)										
Reference (BEI0953-SRM3)					Prepared & Analyzed: 9/27/2023					
Nitrate Nitrogen as NO3N	9.9			mg/L	10.00		98.6	90-110		
Reference (BEI0953-SRM4)					Prepared & Analyzed: 9/27/2023					
Nitrate Nitrogen as NO3N	10.5			mg/L	10.00		105	90-110		

The results in this report apply to the samples as received and were analyzed in accordance with the chain of custody document. This analytical report must be reproduced in its entirety. All results listed in this report are for the exclusive use of the submitting party. Dellavalle Laboratory, Inc. assumes no responsibility for report alteration, separation, detachment or third party interpretation.

DELLAVALLE™ LABORATORY INC

Johal Dairy
6354 W Zeering Road
Turlock, CA 95380

Account# 00-0021411
Account Manager: Ben Nydam
Submitted By: Surinder Johal

Received: 09/26/2023 15:45
Reported: 09/29/2023 11:22

Quality Control
(Continued)

Analyte	Result	Qual	Reporting Limit	Units	Spike Level	Source Result	%REC	%REC Limits	RPD	RPD Limit
Batch: BEI0979										
Blank (BEI0979-BLK1)					Prepared: 9/27/2023	Analyzed: 9/28/2023				
Electrical Conductivity	ND		0.01	mmhos/cm						
Temperature	25.0		0.0	units						
Electrical Conductivity umhos	ND		10.0	umhos/cm						
pH	5.5		1.0	units						
Blank (BEI0979-BLK2)					Prepared: 9/27/2023	Analyzed: 9/28/2023				
Temperature	25.0		0.0	units						
Electrical Conductivity	ND		0.01	mmhos/cm						
pH	5.8		1.0	units						
Electrical Conductivity umhos	ND		10.0	umhos/cm						
Blank (BEI0979-BLK3)					Prepared: 9/27/2023	Analyzed: 9/28/2023				
Electrical Conductivity	ND		0.01	mmhos/cm						
Temperature	25.0		0.0	units						
Electrical Conductivity umhos	ND		10.0	umhos/cm						
pH	5.7		1.0	units						
Duplicate (BEI0979-DUP1)		**Source: 23I1630-01**			Prepared: 9/27/2023	Analyzed: 9/28/2023				
Electrical Conductivity	0.71		0.01	mmhos/cm		0.71			0.0141	10
Electrical Conductivity umhos	709		10.0	umhos/cm		709			0.0141	10
pH	8.1		1.0	units		8.1			0.00	10
Duplicate (BEI0979-DUP2)		**Source: 23I1695-03**			Prepared: 9/27/2023	Analyzed: 9/28/2023				
Electrical Conductivity	0.70		0.01	mmhos/cm		0.70			0.143	10
Electrical Conductivity umhos	698		10.0	umhos/cm		698			0.143	10
pH	7.4		1.0	units		7.4			0.136	10
Reference (BEI0979-SRM1)					Prepared: 9/27/2023	Analyzed: 9/28/2023				
Electrical Conductivity	527			umhos/cm	538.0		98.0	90-110		
Reference (BEI0979-SRM2)					Prepared: 9/27/2023	Analyzed: 9/28/2023				
pH	5.9			units	5.820		101	28178-101.71		
Reference (BEI0979-SRM3)					Prepared: 9/27/2023	Analyzed: 9/28/2023				
Electrical Conductivity	987			umhos/cm	1000		98.7	90-110		
Electrical Conductivity umhos	987			umhos/cm	1000		98.7	90-110		
Reference (BEI0979-SRM4)					Prepared: 9/27/2023	Analyzed: 9/28/2023				
Electrical Conductivity	985			umhos/cm	1000		98.5	90-110		
Electrical Conductivity umhos	985			umhos/cm	1000		98.5	90-110		
Reference (BEI0979-SRM5)					Prepared: 9/27/2023	Analyzed: 9/28/2023				
Electrical Conductivity	987			umhos/cm	1000		98.7	90-110		

The results in this report apply to the samples as received and were analyzed in accordance with the chain of custody document. This analytical report must be reproduced in its entirety. All results listed in this report are for the exclusive use of the submitting party. Dellavalle Laboratory, Inc. assumes no responsibility for report alteration, separation, detachment or third party interpretation.

DELLAVALLE™
LABORATORY INC

Johal Dairy
6354 W Zeering Road
Turlock, CA 95380

Account# 00-0021411
Account Manager: Ben Nydam
Submitted By: Surinder Johal

Received: 09/26/2023 15:45
Reported: 09/29/2023 11:22

Quality Control
(Continued)

Analyte	Result	Qual	Reporting Limit	Units	Spike Level	Source Result	%REC	%REC Limits	RPD	RPD Limit
Batch: BEI0979 (Continued)										
Reference (BEI0979-SRM5)					Prepared: 9/27/2023	Analyzed: 9/28/2023				
Electrical Conductivity umhos	987			umhos/cm	1000		98.7	90-110		
Reference (BEI0979-SRM6)					Prepared: 9/27/2023	Analyzed: 9/28/2023				
pH	4.1			units	4.000		102	97.5-102.5		
Reference (BEI0979-SRM7)					Prepared: 9/27/2023	Analyzed: 9/28/2023				
pH	4.1			units	4.000		102	97.5-102.5		
Reference (BEI0979-SRM8)					Prepared: 9/27/2023	Analyzed: 9/28/2023				
pH	4.1			units	4.000		102	97.5-102.5		

The results in this report apply to the samples as received and were analyzed in accordance with the chain of custody document. This analytical report must be reproduced in its entirety. All results listed in this report are for the exclusive use of the submitting party. Dellavalle Laboratory, Inc. assumes no responsibility for report alteration, separation, detachment or third party interpretation.

09/26/23 15:45 23I1630

JG

DELLAVALLE LABORATORY, INC.

1910 W. McKinley Avenue, Suite 110 • Fresno, CA 93728
www.dellavallelab.com 559 233-6129 • 800 228-9896 • Fax 559 268-8174

WATER WORK REQUEST

Bill To: Acct No. 21411 Cons. 8

Purchase Order No. _____ Results Needed By _____

Client: Johal Dairy
Address: 6354 W Zeering Road
City, State, Zip: Turlock, CA 95380
Phone _____ Fax _____
Cell/Email _____

Copy to: Cardoso Ag Sevices - cas.labs@yahoo.com

Requested by: Surinder Johal - (209) 277-2712

Ranch _____

Date sampled: 9/25/23

Sampled by: MPedroso

[X] QA/QC Document [X] Copy of Chain [ ] RWQCB

No. of Samples _____ No. Bottles _____

Water Type: [ ] Drinking [ ] Wastewater
[ ] Ag Water [ ] Ground Water [ ] Mon. Well
[X] Supply Water [ ] Other _____

Analysis and Bottles Required: *(Please Indicate Analysis)*

(X) DWW1: (EC, pH, NO_3-N, **NH_4-N Field Test**)
(1) l L plastic, unpreserved (white)

( ) DWW2: (DWW1 Plus SO_4, CO_3, HCO_3, Cl, Ca, Mg, Na, TDS)
(1) l L plastic, unpreserved (white)

( ) DCW1: (EC, NO_3-N, TDS)
(1) l L plastic, unpreserved (white)

( ) DPW1: (EC, pH, NO_3-N, NH_4-N, TKN, TDS, TP, TK)
(1) l L plastic, unpreserved (white)

( ) DPW2: (DPW1 Plus Ca, Mg, Na, HCO_3, CO_3, SO_4, Cl)
(1) l L plastic, unpreserved (white)

( ) Other _____

DESCRIPTION OF SAMPLES		Date Sampled	Time Sampled	Field NH4-N (mg/L)	Received Temp °C
1. IW	Sampled From: Outlet	9/25/23	230 pm	0	15.4
2.	Sampled From:				
3.	Sampled From:				
4.	Sampled From:				
5.	Sampled From:				
6.	Sampled From:				
7.	Sampled From:				
8.	Sampled From:				
9.	Sampled From:				
10.	Sampled From:				

IR Thermometer SN: 221314357
Correction Factor: 0°C
Calibration Due: 12/22/2023
Location: Laboratory

CHAIN OF CUSTODY

Carrier	Signature	Company	Received (Date/Time)	Relinquished (Date/Time)
First	MPedr	GPS Inc	9/25/23 230pm	9/26/23 1:37p
Second	Sm	DLV	9/26 1:35p	9/26 3:20p
Third				
Fourth	[illegible]	ALI	9/26 15:45	

I guarantee that as the client, or on behalf of the client named, I have the authority to contract the above requested services. Should it be found that I do not have such authority, I agree to be personally liable for all costs and, if there should be action against me for this breach, reasonable attorneys' fees. It is understood that payment is expected to be cash with samples unless terms have been previously arranged. Terms are net 30 days; overdue accounts will be charged a dated damage fee of 2% per month (annually 24 %) or $5.00 per month whichever is greater.

If payment is not made when due and a legitimate dispute exists concerning the product or services of Dellavalle Laboratory, Inc., it will be submitted to mediation under the Rules and Procedures of Creative Alternative to Litigation, Inc. (cal). If the dispute is not resolved in mediation, then the dispute will be submitted to binding arbitration through cal under its Rules and Procedures. The prties will equally bear the costs of mediation/arbitration. If, however, the mediator declares that no legitimate dispute exists, then debtor will pay all mediation and arbitration costs, and in the event of arbitration, reasonable attorneys' fees of Dellavalle Laboratory.

Invoicing Information:

Sampling Hrs ____ Miles ____ Consulting ____

Amt Paid ____ Rec By ____ Check No. ____ Date ____

Shipping
$ _____ In
$ _____ Out

Signature _____

Sample received in cooler with ice?
[ ] Yes [ ] No

ctt:update 2020

Shipping Information: Shipped In ☐ Picked-Up ☑ Walk In ☐ DLI Sampler ☐ Other ☐ _____

Container: Ice Chest ☑ Box ☐ None ☐ | **Refrigerant:** Wet Ice ☑ Blue Ice ☐ None ☐

Samples Preserved with HNO_3 or H_2SO_4 were: ☐ Received Preserved ☐ Preserved Upon Receipt at Laboratory

09/26/23 15:45 23I1630

Type of Container(s) Received		Sample Number 1	2	3	4	5	6	7	8	9	10
Sample Containers for Internal (DLI) Use *(Containers that go into the Lab)*											
Plastics	100 mL sterile plastic $Na_2S_2O_3$ (Green)										
	250 mL unpreserved (White) Plastic										
	250 mL HNO_3 (Red) Plastic										
	* pH Value										
	250 mL H_2SO_4 (Yellow) Plastic										
	* pH Value										
	500 mL unpreserved (White) Plastic										
	1 L unpreserved (White) Plastic										
	1 L unpreserved (BOD) (Purple) Plastic										
"	500mL unpreserved (White) Glass										
	PO4-P Kit										
	Other:										
Sample Containers for Subcontracted ("Send Out") Analyses *(Containers that go in the Subcontract ("Send Out") Refrigerator)*											
Plastics	100 mL sterile plastic $Na_2S_2O_3$ (Green)										
	250 mL unpreserved (White) Plastic										
	250 mL HNO_3 (Red) Plastic										
	250 mL H_2SO_4 (Yellow) Plastic										
	500 mL HNO_3 (Red)										
	1 L unpreserved (White) Plastic										
	1 L unpreserved (BOD) (Purple) Plastic										
	1 L HNO_3 (Red)										
VOA Vials	40 mL AG VOA, $Na_2S_2O_3$ + MCAA										
	40 mL AG VOA, $Na_2S_2O_3$										
	40mL AG VOA unpreserved (White) (Set of 3										
	40 mL AG VOA, $Na_2S_2O_3$ (Green) (Set of 3)										
	40mL VOA, H_3PO_4 (Set of 3)										
	40 mL VOA, HCl (Blue) (Set of 3)										
	40 mL VOA, $Na_2S_2O_3$ (Green) (Set of 3)										
Glass	250 mL AG unpreserved (White)										
	250 mL AG H_2SO_4 (Yellow)										
	250 mL AG $Na_2S_2O_3$ (Green)										
	250 mL AG $Na_2S_2O_3$ + MCAA										
	500 mL glass unpreserved (White)										
	500 mL AG HCl (Blue)										
	1 L AG unpreserved (White)										
	1 L AG H_2SO_4 (Yellow)										
	1 L AG $Na_2S_2O_3$ (Green)										
	1 L AG HCl (Blue)										
Special	Cr^{6+} - 50mL Plastic w/Borate/HCO_3/CO_3										
	Cyanide - 500 mL NaOH										
	Asbestos - 1L P wrapped in foil (Set of 2)										
	Sulfide - 1 L **AG** or **P** NaOH + ZnAc										
	Chlorite/Bromate - 250 mL AG with EDA										
	HAA5 - 250mL AG Ammonium Chlorite										
	DO KIT										
	Other:										
	Other:										

SEND OUT

Report of Dairy Well Water Analysis

DELLAVALLE LABORATORY INC

Johal Dairy
6354 W Zeering Road
Turlock CA 95380
00-0021411 08

E-mail:
Copy To: cas.labs@yahoo.com

Lab No.: 23L0720
Sampled By: M Dekeyrel
Requested By: Surinder Johal
Submitted Date: 12/12/23
Reported Date: 12/19/23
Project:
Crop ID:

		Date Sampled	Time Sampled	EC µmhos/cm	EC mmhos/cm	NO_3-N mg/L	Field NH_4-N mg/L	Total NH_4-N mg/L	pH at 25°C unit
1	DW - MB	12/11/23	14:00	600	0.60	0.3	ND		8.0
2	DW - New	12/11/23	14:10	593	0.59	0.3	ND		8.0

***** = Field NH_4-N not Taken.
ND = None Detected

Approved By: Scott M Friedland
Laboratory Director\Technical Manager
ELAP Certification #1595
A2LA Certification #6440.02

DELLAVALLE LABORATORY INC

Report of Dairy Well Water Analysis

Johal Dairy
6354 W Zeering Road
Turlock CA 95380
00-0021411 08

E-mail:
Copy To: cas.labs@yahoo.com

Lab No.: 23L0720
Sampled By: M Dekeyrel
Requested By: Surinder Johal
Submitted Date: 12/12/23
Reported Date: 12/19/23
Project:
Crop ID:

		Date Sampled	Time Sampled	**EC** µmhos/cm	**EC** mmhos/cm	**NO_3-N** mg/L	Nitrogen agricultural use Calcs calculated from nitrate-N lbs/AcFoot	lbs/AcInch
1	DW - MB	12/11/23	14:00	600	0.60	0.3	0.82	0.07
2	DW - New	12/11/23	14:10	593	0.59	0.3	0.82	0.07

Water for Crop Use **Nutrient Management**	Total Salts	Total Salts	Nitrate Nitrogen
Low Levels	< 900	< 0.90	< 2.0
Significant Levels	900-2200	0.90-2.2	2.0-10.0
High Levels	2200+	2.2+	10.0+

Sampling abbreviations: H.B. = hose bib, S.P. = stand pipe, Dom. = domestic well, IR = irrigation well, AG = ag well.
Nitrate exceeds Water Quality MCL levels if results are above 10 mg/l nitrate-nitrogen NO3-N (equivalent to 45 mg/l nitrate, NO3).
Total Salt results are used to monitor changes of salt in the well aquifers between annual tests.
MCL = Maximum Contaminant Level according to the California Domestic Water Quality and Monitoring Regulations (Title 22)
MDL = Method Detection Limit; **RL** = Reporting Limit, mg/L = ppm.
SM = Standard Methods for the Examination of Water and Wastewater
EPA = Environmental Protection Agency methods used unless otherwise indicated.

DELLAVALLE™
LABORATORY INC

Johal Dairy
6354 W Zeering Road
Turlock, CA 95380

Account# 00-0021411
Account Manager: Ben Nydam
Submitted By: Surinder Johal

Received: 12/12/2023 15:51
Reported: 12/19/2023 09:17

Samples in this Report

Lab ID	Sample	Matrix	Sampled By	Crop	Date Sampled
23L0720-01	DW - MB	Well Water	M Dekeyrel		12/11/2023 14:00
23L0720-02	DW - New	Well Water	M Dekeyrel		12/11/2023 14:10

Default Cooler Temperature on Receipt °C: -1.7
Containers Intact
COC/Labels Agree
Received On Ice

Notes and Definitions

Item	Definition
H	Hold Time Exceeded
MCL	Drinking Water Maximum Contaminant Level
ND	Analyte NOT DETECTED at or above the reporting limit.
NES	Not Enough Sample
*	Not Taken
RPD	Relative Percent Difference
%REC	Percent Recovery
Source	Sample that was matrix spiked or duplicated.

Scott McFriedland

Laboratory Director/Technical Manager

ELAP Certification #1595
A2LA Certification #6440.02

The results in this report apply to the samples as received and were analyzed in accordance with the chain of custody document. This analytical report must be reproduced in its entirety. All results listed in this report are for the exclusive use of the submitting party. Dellavalle Laboratory, Inc. assumes no responsibility for report alteration, separation, detachment or third party interpretation.

DELLAVALLE™
LABORATORY INC

Johal Dairy
6354 W Zeering Road
Turlock, CA 95380

Account# 00-0021411
Account Manager: Ben Nydam
Submitted By: Surinder Johal

Received: 12/12/2023 15:51
Reported: 12/19/2023 09:17

Sample Results

Sample: DW - MB
23L0720-01 (Water)

Sampled: 12/11/2023 14:00
Sampled By: M Dekeyrel

Analyte	Result	Units	Reporting Limit	DIL	DW MCL	Date/Time Analyzed	Method	Notes	Batch
Electrical Conductivity	**0.60**	mmhos/cm	0.01	1		12/13/23 18:14	SM 2510 B		BEL0498
Electrical Conductivity umhos	**600**	umhos/cm	10.0	1		12/13/23 18:14	SM 2510 B		BEL0498
Ammonia (as N)	ND	mg/L	0.00	1		12/11/23 14:00	Field		BEL0396
Nitrate Nitrogen as NO3N	**0.3**	mg/L	0.1	1	10	12/13/23 15:25	EPA 300.0		BEL0351
Temperature	**25.0**	units	0.0	1		12/13/23 18:14	SM 4500-H+	H	BEL0498
pH	**8.0**	units	1.0	1		12/13/23 18:14	SM 4500-H+	H	BEL0498

The results in this report apply to the samples as received and were analyzed in accordance with the chain of custody document. This analytical report must be reproduced in its entirety. All results listed in this report are for the exclusive use of the submitting party. Dellavalle Laboratory, Inc. assumes no responsibility for report alteration, separation, detachment or third party interpretation.

DELLAVALLE™
LABORATORY INC

Johal Dairy
6354 W Zeering Road
Turlock, CA 95380

Account# 00-0021411
Account Manager: Ben Nydam
Submitted By: Surinder Johal

Received: 12/12/2023 15:51
Reported: 12/19/2023 09:17

Sample Results
(Continued)

Sample: DW - New
23L0720-02 (Water)

Sampled: 12/11/2023 14:10
Sampled By: M Dekeyrel

Analyte	Result	Units	Reporting Limit	DIL	DW MCL	Date/Time Analyzed	Method	Notes	Batch
Electrical Conductivity	**0.59**	mmhos/cm	0.01	1		12/13/23 18:15	SM 2510 B		BEL0498
Electrical Conductivity umhos	**593**	umhos/cm	10.0	1		12/13/23 18:15	SM 2510 B		BEL0498
Ammonia (as N)	ND	mg/L	0.00	1		12/11/23 14:10	Field		BEL0396
Nitrate Nitrogen as NO3N	**0.3**	mg/L	0.1	1	10	12/13/23 15:45	EPA 300.0		BEL0351
Temperature	**25.0**	units	0.0	1		12/13/23 18:15	SM 4500-H+	H	BEL0498
pH	**8.0**	units	1.0	1		12/13/23 18:15	SM 4500-H+	H	BEL0498

The results in this report apply to the samples as received and were analyzed in accordance with the chain of custody document. This analytical report must be reproduced in its entirety. All results listed in this report are for the exclusive use of the submitting party. Dellavalle Laboratory, Inc. assumes no responsibility for report alteration, separation, detachment or third party interpretation.

DELLAVALLE™ LABORATORY INC

Johal Dairy
6354 W Zeering Road
Turlock, CA 95380

Account# 00-0021411
Account Manager: Ben Nydam
Submitted By: Surinder Johal

Received: 12/12/2023 15:51
Reported: 12/19/2023 09:17

Quality Control

Analyte	Result	Qual	Reporting Limit	Units	Spike Level	Source Result	%REC	%REC Limits	RPD	RPD Limit
Batch: BEL0351										
Blank (BEL0351-BLK1)					Prepared & Analyzed: 12/12/2023					
Nitrate Nitrogen as NO3N	ND		0.1	mg/L						
Blank (BEL0351-BLK2)					Prepared & Analyzed: 12/12/2023					
Nitrate Nitrogen as NO3N	ND		0.1	mg/L						
Blank (BEL0351-BLK3)					Prepared & Analyzed: 12/13/2023					
Nitrate Nitrogen as NO3N	ND		0.1	mg/L						
Blank (BEL0351-BLK4)					Prepared & Analyzed: 12/13/2023					
Nitrate Nitrogen as NO3N	ND		0.1	mg/L						
Blank (BEL0351-BLK5)					Prepared & Analyzed: 12/13/2023					
Nitrate Nitrogen as NO3N	ND		0.1	mg/L						
LCS (BEL0351-BS1)					Prepared & Analyzed: 12/12/2023					
Nitrate Nitrogen as NO3N	5.0		0.1	mg/L	5.000		101	90-110		
LCS (BEL0351-BS2)					Prepared & Analyzed: 12/13/2023					
Nitrate Nitrogen as NO3N	5.1		0.1	mg/L	5.000		101	90-110		
LCS (BEL0351-BS3)					Prepared & Analyzed: 12/13/2023					
Nitrate Nitrogen as NO3N	5.1		0.1	mg/L	5.000		103	90-110		
LCS (BEL0351-BS4)					Prepared & Analyzed: 12/13/2023					
Nitrate Nitrogen as NO3N	5.1		0.1	mg/L	5.000		103	90-110		
Duplicate (BEL0351-DUP1)		**Source: 23L0613-01**			Prepared & Analyzed: 12/12/2023					
Nitrate Nitrogen as NO3N	1.8		0.1	mg/L		1.8			0.900	10
Duplicate (BEL0351-DUP2)		**Source: 23L0664-02**			Prepared & Analyzed: 12/13/2023					
Nitrate Nitrogen as NO3N	6.7		0.1	mg/L		6.7			0.0448	10
Duplicate (BEL0351-DUP3)		**Source: 23L0695-01**			Prepared & Analyzed: 12/13/2023					
Nitrate Nitrogen as NO3N	4.1		0.1	mg/L		4.1			0.441	10
Duplicate (BEL0351-DUP4)		**Source: 23L0718-02**			Prepared & Analyzed: 12/13/2023					
Nitrate Nitrogen as NO3N	1.3		0.1	mg/L		1.3			1.70	10
Matrix Spike (BEL0351-MS1)		**Source: 23L0613-01**			Prepared & Analyzed: 12/12/2023					
Nitrate Nitrogen as NO3N	7.1		0.1	mg/L	5.000	1.8	106	90-110		
Matrix Spike (BEL0351-MS2)		**Source: 23L0664-02**			Prepared & Analyzed: 12/13/2023					
Nitrate Nitrogen as NO3N	11.7		0.1	mg/L	5.000	6.7	101	90-110		

The results in this report apply to the samples as received and were analyzed in accordance with the chain of custody document. This analytical report must be reproduced in its entirety. All results listed in this report are for the exclusive use of the submitting party. Dellavalle Laboratory, Inc. assumes no responsibility for report alteration, separation, detachment or third party interpretation.

DELLAVALLE™ LABORATORY INC

Johal Dairy
6354 W Zeering Road
Turlock, CA 95380

Account# 00-0021411
Account Manager: Ben Nydam
Submitted By: Surinder Johal

Received: 12/12/2023 15:51
Reported: 12/19/2023 09:17

Quality Control
(Continued)

Analyte	Result	Qual	Reporting Limit	Units	Spike Level	Source Result	%REC	%REC Limits	RPD	RPD Limit
Batch: BEL0351 (Continued)										
Matrix Spike (BEL0351-MS3)			**Source: 23L0695-01**		Prepared & Analyzed: 12/13/2023					
Nitrate Nitrogen as NO3N	9.3		0.1	mg/L	5.000	4.1	105	90-110		
Matrix Spike (BEL0351-MS4)			**Source: 23L0718-02**		Prepared & Analyzed: 12/13/2023					
Nitrate Nitrogen as NO3N	6.6		0.1	mg/L	5.000	1.3	105	90-110		
Reference (BEL0351-SRM1)					Prepared & Analyzed: 12/12/2023					
Nitrate Nitrogen as NO3N	10.1			mg/L	10.00		101	90-110		
Reference (BEL0351-SRM2)					Prepared & Analyzed: 12/13/2023					
Nitrate Nitrogen as NO3N	10.2			mg/L	10.00		102	90-110		
Reference (BEL0351-SRM3)					Prepared & Analyzed: 12/13/2023					
Nitrate Nitrogen as NO3N	10.2			mg/L	10.00		102	90-110		
Reference (BEL0351-SRM4)					Prepared & Analyzed: 12/13/2023					
Nitrate Nitrogen as NO3N	10.3			mg/L	10.00		103	90-110		
Reference (BEL0351-SRM5)					Prepared & Analyzed: 12/13/2023					
Nitrate Nitrogen as NO3N	10.3			mg/L	10.00		103	90-110		

The results in this report apply to the samples as received and were analyzed in accordance with the chain of custody document. This analytical report must be reproduced in its entirety. All results listed in this report are for the exclusive use of the submitting party. Dellavalle Laboratory, Inc. assumes no responsibility for report alteration, separation, detachment or third party interpretation.

DELLAVALLE™
LABORATORY INC

Johal Dairy
6354 W Zeering Road
Turlock, CA 95380

Account# 00-0021411
Account Manager: Ben Nydam
Submitted By: Surinder Johal

Received: 12/12/2023 15:51
Reported: 12/19/2023 09:17

Quality Control
(Continued)

Analyte	Result	Qual	Reporting Limit	Units	Spike Level	Source Result	%REC	%REC Limits	RPD	RPD Limit
Batch: BEL0498										
Blank (BEL0498-BLK1)					Prepared & Analyzed: 12/13/2023					
Electrical Conductivity	ND		0.01	mmhos/cm						
Temperature	25.0		0.0	units						
Electrical Conductivity umhos	ND		10.0	umhos/cm						
pH	5.5		1.0	units						
Blank (BEL0498-BLK2)					Prepared & Analyzed: 12/13/2023					
Electrical Conductivity	ND		0.01	mmhos/cm						
Temperature	25.0		0.0	units						
Electrical Conductivity umhos	ND		10.0	umhos/cm						
pH	7.7		1.0	units						
Blank (BEL0498-BLK3)					Prepared & Analyzed: 12/13/2023					
Electrical Conductivity	ND		0.01	mmhos/cm						
Temperature	25.0		0.0	units						
pH	7.7		1.0	units						
Electrical Conductivity umhos	ND		10.0	umhos/cm						
Duplicate (BEL0498-DUP1)		**Source: 23L0716-01**			Prepared & Analyzed: 12/13/2023					
Electrical Conductivity	2.02		0.01	mmhos/cm		2.00			0.916	10
pH	7.4		1.0	units		7.4			0.135	10
Electrical Conductivity umhos	2020		10.0	umhos/cm		2000			0.916	10
Duplicate (BEL0498-DUP2)		**Source: 23L0724-02**			Prepared & Analyzed: 12/13/2023					
Electrical Conductivity	2.08		0.01	mmhos/cm		2.04			2.11	10
Electrical Conductivity umhos	2080		10.0	umhos/cm		2040			2.11	10
pH	7.3		1.0	units		7.3			0.274	10
Reference (BEL0498-SRM1)					Prepared & Analyzed: 12/13/2023					
Electrical Conductivity	436			umhos/cm	426.0		102	90-110		
Reference (BEL0498-SRM2)					Prepared & Analyzed: 12/13/2023					
pH	7.5			units	7.520		100	67021-101.32		
Reference (BEL0498-SRM3)					Prepared & Analyzed: 12/13/2023					
Electrical Conductivity	1050			umhos/cm	1000		105	90-110		
Electrical Conductivity umhos	1050			umhos/cm	1000		105	90-110		
Reference (BEL0498-SRM4)					Prepared & Analyzed: 12/13/2023					
Electrical Conductivity	1070			umhos/cm	1000		107	90-110		
Electrical Conductivity umhos	1070			umhos/cm	1000		107	90-110		
Reference (BEL0498-SRM5)					Prepared & Analyzed: 12/13/2023					
Electrical Conductivity	1090			umhos/cm	1000		109	90-110		

The results in this report apply to the samples as received and were analyzed in accordance with the chain of custody document. This analytical report must be reproduced in its entirety. All results listed in this report are for the exclusive use of the submitting party. Dellavalle Laboratory, Inc. assumes no responsibility for report alteration, separation, detachment or third party interpretation.

DELLAVALLE™ LABORATORY INC

Johal Dairy
6354 W Zeering Road
Turlock, CA 95380

Account# 00-0021411
Account Manager: Ben Nydam
Submitted By: Surinder Johal

Received: 12/12/2023 15:51
Reported: 12/19/2023 09:17

Quality Control
(Continued)

Analyte	Result	Qual	Reporting Limit	Units	Spike Level	Source Result	%REC	%REC Limits	RPD	RPD Limit
Batch: BEL0498 (Continued)										
Reference (BEL0498-SRM5)					Prepared & Analyzed: 12/13/2023					
Electrical Conductivity umhos	1090			umhos/cm	1000		109	90-110		
Reference (BEL0498-SRM6)					Prepared & Analyzed: 12/13/2023					
pH	4.0			units	4.000		101	97.5-102.5		
Reference (BEL0498-SRM7)					Prepared & Analyzed: 12/13/2023					
pH	4.0			units	4.000		101	97.5-102.5		
Reference (BEL0498-SRM8)					Prepared & Analyzed: 12/13/2023					
pH	4.0			units	4.000		100	97.5-102.5		

The results in this report apply to the samples as received and were analyzed in accordance with the chain of custody document. This analytical report must be reproduced in its entirety. All results listed in this report are for the exclusive use of the submitting party. Dellavalle Laboratory, Inc. assumes no responsibility for report alteration, separation, detachment or third party interpretation.

12/12/23 15:51 23L0720

S9

WATER WORK REQUEST

Acct No. Cons.

Bill To: 21411 8

Purchase Order No. Results Needed By

Client **Johal Dairy**
Address 6354 W Zeering Road
City, State, Zip Turlock, CA 95380
Phone Fax
Cell/Email

Copy to Cardoso Ag Sevices - cas.labs@yahoo.com

Requested by Surinder Johal - (209) 277-2712

Ranch

Date sampled 12/11/23

Sampled by MDeKeyrel

[X] QA/QC Document [X] Copy of Chain [ ] RWQCB

DELLAVALLE LABORATORY, INC.

1910 W. McKinley Avenue, Suite 110 • Fresno, CA 93728
www.dellavallelab.com 559 233-6129 • 800 228-9896 • Fax 559 268-8174

No. of Samples No. Bottles

Water Type: [ ] Drinking [ ]Wastewater
[✓] Ag Water [ ] Ground Water [ ] Mon. Well
[ ] Supply Water [ ] Other

Analysis and Bottles Required: *(Please Indicate Analysis)*

(✓) DWW1: (EC, pH, NO_3-N, **NH_4-N Field Test)**
(1) l L plastic, unpreserved (white)

( ) DWW2: (DWW1 Plus SO_4, CO_3, HCO_3, Cl, Ca, Mg, Na, TDS)
(1) l L plastic, unpreserved (white)

( ) DCW1: (EC, NO_3-N, TDS)
(1) l L plastic, unpreserved (white)

( ) DPW1: (EC, pH, NO_3-N, NH_4-N, TKN, TDS, TP, TK)
(1) l L plastic, unpreserved (white)

( ) DPW2: (DPW1 Plus Ca, Mg, Na, HCO_3, CO_3, SO_4, Cl)
(1) l L plastic, unpreserved (white)

( ) Other

DESCRIPTION OF SAMPLES		Date Sampled	Time Sampled	Field NH4-N (mg/L)	Received Temp °C
1. DW- MB	Sampled From:	12/11/23	8am	Ø	-1.7
2. DW- New	Sampled From:	12/4/23	2:00p	Ø	-1.1
3.	Sampled From:				
4.	Sampled From:				
5.	Sampled From:				
6.	Sampled From:				
7.	Sampled From:				
8.	Sampled From:				
9.	Sampled From:				
10.	Sampled From:				

IR Thermometer SN: 192603727
Correction Factor: 0°C
Calibration Due: 03/06/2024
Location: Laboratory

CHAIN OF CUSTODY

Carrier	Signature	Company	Received (Date/Time)	Relinquished (Date/Time)
First	MDeKeyrel	CASINC	12/11/23 2:00p	12/12/23 @ 9:30am
Second	JCP	DLV	12-12-23 9:30	12-12-23 2:01
Third	MM	DLI	12/12 15:51	
Fourth				

I guarantee that as the client, or on behalf of the client named, I have the authority to contract the above requested services. Should it be found that I do not have such authority, I agree to be personally liable for all costs and, if there should be action against me for this breach, reasonable attorneys' fees. It is understood that payment is expected to be cash with samples unless terms have been previously arranged. Terms are net 30 days; overdue accounts will be charged a dated damage fee of 2% per month (annually 24 %) or $5.00 per month whichever is greater.

If payment is not made when due and a legitimate dispute exists concerning the product or services of Dellavalle Laboratory, Inc., it will be submitted to mediation under the Rules and Procedures of Creative Alternative to Litigation, Inc. (cal). If the dispute is not resolved in mediation, then the dispute will be submitted to binding arbitration through cal under its Rules and Procedures. The prties will equally bear the costs of mediation/arbitration. If, however, the mediator declares that no legitimate dispute exists, then debtor will pay all mediation and arbitration costs, and in the event of arbitration, reasonable attorneys' fees of Dellavalle Laboratory.

Invoicing Information:

Sampling Hrs ___ Miles ___ Consulting ___

Amt Paid Rec By Check No. Date

Shipping

$ ___ In
$ ___ Out

Signature

Sample received in cooler with ice?
[ ] Yes [ ] No

ctl:update 2020

Shipping Information: Shipped In ☐ Picked-Up ☒ Walk In ☐ DLI Sampler ☐ Other ☐ _____

Container: Ice Chest ☒ Box ☐ None ☐ **Refrigerant:** Wet Ice ☒ Blue Ice ☐ None ☐

Samples Preserved with HNO_3 or H_2SO_4 were: ☐ Received Preserved ☐ Preserved Upon Receipt at Laboratory

Type of Container(s) Received		Sample Number 1	2	3	4	5	6	7	8	9	10
Sample Containers for Internal (DLI) Use *(Containers that go into the Lab)*											
Plastics	100 mL sterile plastic $Na_2S_2O_3$ (Green)										
	250 mL unpreserved (White) Plastic	1	1								
	250 mL HNO_3 (Red) Plastic										
	* pH Value										
	250 mL H_2SO_4 (Yellow) Plastic										
	* pH Value										
	500 mL unpreserved (White) Plastic										
	1 L unpreserved (White) Plastic										
	1 L unpreserved (BOD) (Purple) Plastic										
"	500mL unpreserved (White) Glass										
	PO4-P Kit										
	Other:										
Sample Containers for Subcontracted ("Send Out") Analyses *(Containers that go in the Subcontract ("Send Out") Refrigerator)*											
Plastics	100 mL sterile plastic $Na_2S_2O_3$ (Green)										
	250 mL unpreserved (White) Plastic										
	250 mL HNO_3 (Red) Plastic										
	250 mL H_2SO_4 (Yellow) Plastic										
	500 mL HNO_3 (Red)										
	1 L unpreserved (White) Plastic										
	1 L unpreserved (BOD) (Purple) Plastic										
	1 L HNO_3 (Red)										
VOA Vials	40 mL AG VOA, $Na_2S_2O_3$ + MCAA										
	40 mL AG VOA, $Na_2S_2O_3$										
	40mL AG VOA unpreserved (White) (Set of 3										
	40 mL AG VOA, $Na_2S_2O_3$ (Green) (Set of 3)										
	40mL VOA, H_3PO_4 (Set of 3)										
	40 mL VOA, HCl (Blue) (Set of 3)										
	40 mL VOA, $Na_2S_2O_3$ (Green) (Set of 3)										
Glass	250 mL AG unpreserved (White)										
	250 mL AG H_2SO_4 (Yellow)										
	250 mL AG $Na_2S_2O_3$ (Green)										
	250 mL AG $Na_2S_2O_3$ + MCAA										
	500 mL glass unpreserved (White)										
	500 mL AG HCl (Blue)										
	1 L AG unpreserved (White)										
	1 L AG H_2SO_4 (Yellow)										
	1 L AG $Na_2S_2O_3$ (Green)										
	1 L AG HCl (Blue)										
Special	Cr^{6+} - 50mL Plastic w/Borate/HCO_3/CO_3										
	Cyanide - 500 mL NaOH										
	Asbestos - 1L P wrapped in foil (Set of 2)										
	Sulfide - 1 L **AG** or **P** NaOH + ZnAc										
	Chlorite/Bromate - 250 mL AG with EDA										
	HAA5 - 250mL AG Ammonium Chlorite										
	DO KIT										
	Other:										
	Other:										

12/12/23 15:51 23L0720

SEND OUT