Annual Report - General Order No. R5-2007-0035
Reporting period 01/01/2023 to 12/31/2023.

DAIRY FACILITY INFORMATION

A. NAME OF DAIRY OR BUSINESS OPERATING THE DAIRY: Hath Dairy

Physical address of dairy:

Number and Street	City	County	Zip Code
508 W Roosevelt RD	El Nido	Merced	95317

Street and nearest cross street (if no address):

Date facility was originally placed in operation: 01/01/1930

Regional Water Quality Control Board Basin Plan designation: San Joaquin River Basin

County Assessor Parcel Number(s) for dairy facility:

X074-X110-X011-XXXX X074-X110-X012-XXXX X074-X110-X049-XXXX

B. OPERATORS

HATH, LEON

Operator name: HATH, LEON Telephone no.: (209) 385-9863 (Landline) (Cellular)

Mailing Address Number and Street	City	State	Zip Code
P.O. Box 69	EL NIDO	CA	95317

This operator is responsible for paying permit fees.

C. OWNERS

HATH, LEON

Legal owner name: HATH, LEON Telephone no.: (209) 385-9863 (Landline) (Cellular)

Mailing Address Number and Street	City	State	Zip Code
P.O. Box 69	EL NIDO	CA	95317

This owner is responsible for paying permit fees.

Annual Report - General Order No. R5-2007-0035
Reporting period 01/01/2023 to 12/31/2023.

AVAILABLE NUTRIENTS

A. HERD INFORMATION

	Milk Cows	Dry Cows	Bred Heifers (15-24 mo.)	Heifers (7-14 mo. to breeding)	Calves (4-6 mo.)	Calves (0-3 mo.)
Number open confinement	130	58	385	315	145	0
Number under roof	375	0	0	0	0	0
Maximum number	515	60	400	320	150	0
Average number	505	58	385	315	145	0
Avg live weight (lbs)	1,400	1,400	900	650		

Predominant milk cow breed: Holstein

Average milk production: 85 *pounds per cow per day*

B. MANURE GENERATED

Total manure excreted by the herd: 22,015.84 *tons per reporting period*

Total nitrogen from manure: 265,414.98 *lbs per reporting period*

After ammonia losses (30% loss applied): 185,790.49 *lbs per reporting period*

Total phosphorus from manure: 43,973.23 *lbs per reporting period*

Total potassium from manure: 101,688.93 *lbs per reporting period*

Total salt from manure: 251,116.35 *lbs per reporting period*

C. PROCESS WASTEWATER GENERATED

Process wastewater generated: 29,585,250 *gallons*

Total nitrogen generated: 67,104.83 *lbs*

Total phosphorus generated: 12,143.28 *lbs*

Total potassium generated: 79,866.79 *lbs*

Total salt generated: 473,950.67 *lbs*

	29,585,250	*gallons applied*
+	0	*gallons exported*
-	0	*gallons imported*
=	29,585,250	*gallons generated*

D. FRESH WATER SOURCES

Source Description	Type
IW Dairy Well	Ground water
IW Tuff Well	Ground water
IW Vineyard Well	Ground water
MID Canal	Surface water

Annual Report - General Order No. R5-2007-0035
Reporting period 01/01/2023 to 12/31/2023.

E. SUBSURFACE (TILE) DRAINAGE SOURCES

No subsurface (tile) drainage sources entered.

F. NUTRIENT IMPORTS

No dry manure nutrient imports entered.

No process wastewater nutrient imports entered.

Date	Material type / Description	Quantity	Reporting basis	Moisture (%)	N (%)	P (%)	K (%)	Salt (%)
07/17/2023	Solid commercial fertilizer *Sol 30*	10.77 *ton*	Dry-weight	0.1	30.500000	0.000000	0.000000	0.000000

Material type	Total N (lbs)	Total P (lbs)	Total K (lbs)	Total salt (lbs)
Commercial fertilizer / Other	6,563.13	0.00	0.00	0.00
Dry manure	0.00	0.00	0.00	0.00
Process wastewater	0.00	0.00	0.00	0.00
Total imports for all materials	6,563.13	0.00	0.00	0.00

G. NUTRIENT EXPORTS

Date	Material type	Quantity	Reporting basis	Moisture (%)	Density (lbs/cu ft)	N (mg/kg)	P (mg/kg)	K (mg/kg)	Salt (mg/kg)	TFS (%)
10/28/2023	Corral solids	260.00 *ton*	Dry-weight	15.4		15,500.00	3,800.00	16,900.00		0.00
11/15/2023	Corral solids	948.00 *ton*	Dry-weight	36.5		22,200.00	5,900.00	29,800.00		0.00

No liquid nutrient exports entered.

Material type	Total N (lbs)	Total P (lbs)	Total K (lbs)	Total salt (lbs)
Dry manure	33,546.67	8,775.06	43,312.66	0.00
Process wastewater	0.00	0.00	0.00	0.00
Total exports for all materials	33,546.67	8,775.06	43,312.66	0.00

Annual Report - General Order No. R5-2007-0035
Reporting period 01/01/2023 to 12/31/2023.

APPLICATION AREA

A. LIST OF LAND APPLICATION AREAS

Field name	Controlled acres	Cropable acres	Total harvests	Type of waste applied	Parcel number
FIELD 1	46	46	2	process wastewater	X074-X110-X048-XXXX
FIELD 10	59	59	2	manure	X074-X110-X006-XXXX
FIELD 2	20	20	1	process wastewater	X074-X110-X049-XXXX
FIELD 3	15	15	2	both	X074-X110-X012-XXXX
FIELD 4	12	12	2	process wastewater	X074-X110-X012-XXXX
FIELD 5	35	35	2	process wastewater	X074-X110-X012-XXXX
FIELD 6	18	18	1	none	X074-X110-X011-XXXX
FIELD 7	38	38	2	both	X074-X110-X011-XXXX
FIELD 8	11	11	2	both	X074-X110-X011-XXXX
FIELD 9	15	15	2	manure	X074-X110-X006-XXXX
FIELD H1A	32	30	1	manure	X074-X110-X031-XXXX
FIELD H1B	41	39	1	none	X074-X110-X031-XXXX
FIELD H2	4	4	2	manure	X074-X110-X031-XXXX
Totals for areas that were used for application	287	285	20		
Totals for areas that were not used for application	59	57	2		
Land application area totals	346	342	22		

B. CROPS AND HARVESTS

FIELD 1

Field name: FIELD 1

11/03/2022: Wheat, silage, soft dough

Crop: Wheat, silage, soft dough Acres planted: 46 Plant date: 11/03/2022

Harvest date	Yield	Reporting basis	Density (lbs/cu ft)	Moisture (%)	N (mg/kg)	P (mg/kg)	K (mg/kg)	Salt (mg/kg)	TFS (%)
05/15/2023	665.00 *ton*	As-is		65.5	5,100.00	800.00	5,400.00		7.50

	Yield (tons/acre)	Total N (lbs/acre)	Total P (lbs/acre)	Total K (lbs/acre)	Salt (lbs/acre)
Anticipated harvest content	18.00	262.80	39.60	149.40	0.00
Total actual harvest content	14.46	147.46	23.13	156.13	748.13

Annual Report - General Order No. R5-2007-0035
Reporting period 01/01/2023 to 12/31/2023.

FIELD 1

06/02/2023: Corn, silage

Crop: Corn, silage Acres planted: 46 Plant date: 06/02/2023

Harvest date	Yield	Reporting basis	Density (lbs/cu ft)	Moisture (%)	N (mg/kg)	P (mg/kg)	K (mg/kg)	Salt (mg/kg)	TFS (%)
09/20/2023	1,097.00 *ton*	As-is		58.9	5,300.00	1,000.00	4,500.00		4.80

	Yield (tons/acre)	Total N (lbs/acre)	Total P (lbs/acre)	Total K (lbs/acre)	Salt (lbs/acre)
Anticipated harvest content	29.00	281.30	55.10	356.70	0.00
Total actual harvest content	23.85	252.79	47.70	214.63	940.94

FIELD 10

Field name: FIELD 10

10/21/2022: Winter Forage (Triticale)

Crop: Winter Forage (Triticale) Acres planted: 59 Plant date: 10/21/2022

Harvest date	Yield	Reporting basis	Density (lbs/cu ft)	Moisture (%)	N (mg/kg)	P (mg/kg)	K (mg/kg)	Salt (mg/kg)	TFS (%)
04/26/2023	743.00 *ton*	As-is		60.6	5,100.00	900.00	5,500.00		8.80

	Yield (tons/acre)	Total N (lbs/acre)	Total P (lbs/acre)	Total K (lbs/acre)	Salt (lbs/acre)
Anticipated harvest content	18.00	198.00	30.60	149.40	0.00
Total actual harvest content	12.59	128.45	22.67	138.53	873.26

05/27/2023: Corn, silage

Crop: Corn, silage Acres planted: 59 Plant date: 05/27/2023

Harvest date	Yield	Reporting basis	Density (lbs/cu ft)	Moisture (%)	N (mg/kg)	P (mg/kg)	K (mg/kg)	Salt (mg/kg)	TFS (%)
09/07/2023	1,483.00 *ton*	As-is		60.0	3,400.00	1,300.00	4,300.00		5.60

	Yield (tons/acre)	Total N (lbs/acre)	Total P (lbs/acre)	Total K (lbs/acre)	Salt (lbs/acre)
Anticipated harvest content	29.00	281.30	55.10	356.70	0.00
Total actual harvest content	25.14	170.92	65.35	216.17	1,126.07

Annual Report - General Order No. R5-2007-0035
Reporting period 01/01/2023 to 12/31/2023.

FIELD 2

Field name: FIELD 2

11/05/2022: Alfalfa, hay

Crop: Alfalfa, hay Acres planted: 20 Plant date: 11/05/2022

Harvest date	Yield	Reporting basis	Density (lbs/cu ft)	Moisture (%)	N (mg/kg)	P (mg/kg)	K (mg/kg)	Salt (mg/kg)	TFS (%)
11/08/2023	211.53 *ton*	As-is		7.8	34,700.00	2,300.00	28,100.00		10.80

	Yield (tons/acre)	Total N (lbs/acre)	Total P (lbs/acre)	Total K (lbs/acre)	Salt (lbs/acre)
Anticipated harvest content	9.00	642.60	62.10	409.50	0.00
Total actual harvest content	10.58	734.01	48.65	594.40	2,106.33

FIELD 3

Field name: FIELD 3

10/18/2022: Wheat, silage, soft dough

Crop: Wheat, silage, soft dough Acres planted: 15 Plant date: 10/18/2022

Harvest date	Yield	Reporting basis	Density (lbs/cu ft)	Moisture (%)	N (mg/kg)	P (mg/kg)	K (mg/kg)	Salt (mg/kg)	TFS (%)
04/26/2023	210.00 *ton*	As-is		58.1	7,300.00	1,100.00	7,500.00		9.80

	Yield (tons/acre)	Total N (lbs/acre)	Total P (lbs/acre)	Total K (lbs/acre)	Salt (lbs/acre)
Anticipated harvest content	18.00	262.80	39.60	149.40	0.00
Total actual harvest content	14.00	204.40	30.80	210.00	1,149.74

05/18/2023: Corn, silage

Crop: Corn, silage Acres planted: 15 Plant date: 05/18/2023

Harvest date	Yield	Reporting basis	Density (lbs/cu ft)	Moisture (%)	N (mg/kg)	P (mg/kg)	K (mg/kg)	Salt (mg/kg)	TFS (%)
09/07/2023	499.00 *ton*	As-is		62.8	4,700.00	900.00	4,700.00		5.20

	Yield (tons/acre)	Total N (lbs/acre)	Total P (lbs/acre)	Total K (lbs/acre)	Salt (lbs/acre)
Anticipated harvest content	29.00	281.30	55.10	356.70	0.00
Total actual harvest content	33.27	312.71	59.88	312.71	1,287.02

Annual Report - General Order No. R5-2007-0035
Reporting period 01/01/2023 to 12/31/2023.

FIELD 4

Field name: FIELD 4

10/18/2022: Wheat, silage, soft dough

Crop: Wheat, silage, soft dough Acres planted: 12 Plant date: 10/18/2022

Harvest date	Yield	Reporting basis	Density (lbs/cu ft)	Moisture (%)	N (mg/kg)	P (mg/kg)	K (mg/kg)	Salt (mg/kg)	TFS (%)
04/27/2023	160.00 *ton*	As-is		56.6	7,200.00	1,200.00	7,100.00		8.90

	Yield (tons/acre)	Total N (lbs/acre)	Total P (lbs/acre)	Total K (lbs/acre)	Salt (lbs/acre)
Anticipated harvest content	18.00	262.80	39.60	149.40	0.00
Total actual harvest content	13.33	192.00	32.00	189.33	1,030.03

05/18/2023: Corn, silage

Crop: Corn, silage Acres planted: 12 Plant date: 05/18/2023

Harvest date	Yield	Reporting basis	Density (lbs/cu ft)	Moisture (%)	N (mg/kg)	P (mg/kg)	K (mg/kg)	Salt (mg/kg)	TFS (%)
09/06/2023	387.00 *ton*	As-is		64.0	3,300.00	900.00	4,100.00		5.00

	Yield (tons/acre)	Total N (lbs/acre)	Total P (lbs/acre)	Total K (lbs/acre)	Salt (lbs/acre)
Anticipated harvest content	29.00	281.30	55.10	356.70	0.00
Total actual harvest content	32.25	212.85	58.05	264.45	1,161.00

FIELD 5

Field name: FIELD 5

11/21/2022: Wheat, silage, soft dough

Crop: Wheat, silage, soft dough Acres planted: 35 Plant date: 11/21/2022

Harvest date	Yield	Reporting basis	Density (lbs/cu ft)	Moisture (%)	N (mg/kg)	P (mg/kg)	K (mg/kg)	Salt (mg/kg)	TFS (%)
05/15/2023	437.00 *ton*	As-is		66.0	4,600.00	700.00	4,600.00		7.40

	Yield (tons/acre)	Total N (lbs/acre)	Total P (lbs/acre)	Total K (lbs/acre)	Salt (lbs/acre)
Anticipated harvest content	18.00	262.80	39.60	149.40	0.00
Total actual harvest content	12.49	114.87	17.48	114.87	628.28

Annual Report - General Order No. R5-2007-0035
Reporting period 01/01/2023 to 12/31/2023.

FIELD 5

06/23/2023: Corn, silage

Crop: Corn, silage Acres planted: 35 Plant date: 06/23/2023

Harvest date	Yield	Reporting basis	Density (lbs/cu ft)	Moisture (%)	N (mg/kg)	P (mg/kg)	K (mg/kg)	Salt (mg/kg)	TFS (%)
10/06/2023	840.00 *ton*	As-is		60.7	4,200.00	900.00	6,500.00		6.40

	Yield (tons/acre)	Total N (lbs/acre)	Total P (lbs/acre)	Total K (lbs/acre)	Salt (lbs/acre)
Anticipated harvest content	29.00	281.30	55.10	356.70	0.00
Total actual harvest content	24.00	201.60	43.20	312.00	1,207.30

FIELD 6

Field name: FIELD 6

11/04/2022: Alfalfa, hay

Crop: Alfalfa, hay Acres planted: 18 Plant date: 11/04/2022

Harvest date	Yield	Reporting basis	Density (lbs/cu ft)	Moisture (%)	N (mg/kg)	P (mg/kg)	K (mg/kg)	Salt (mg/kg)	TFS (%)
11/08/2023	197.33 *ton*	As-is		7.6	29,100.00	3,200.00	30,300.00		10.40

	Yield (tons/acre)	Total N (lbs/acre)	Total P (lbs/acre)	Total K (lbs/acre)	Salt (lbs/acre)
Anticipated harvest content	9.00	642.60	62.10	409.50	0.00
Total actual harvest content	10.96	638.03	70.16	664.34	2,106.96

FIELD 7

Field name: FIELD 7

Annual Report - General Order No. R5-2007-0035
Reporting period 01/01/2023 to 12/31/2023.

FIELD 7

10/24/2022: Wheat, silage, soft dough

Crop: Wheat, silage, soft dough Acres planted: 38 Plant date: 10/24/2022

Harvest date	Yield	Reporting basis	Density (lbs/cu ft)	Moisture (%)	N (mg/kg)	P (mg/kg)	K (mg/kg)	Salt (mg/kg)	TFS (%)
04/27/2023	559.00 *ton*	As-is		60.3	7,000.00	1,000.00	7,200.00		8.00

	Yield (tons/acre)	Total N (lbs/acre)	Total P (lbs/acre)	Total K (lbs/acre)	Salt (lbs/acre)
Anticipated harvest content	18.00	262.80	39.60	149.40	0.00
Total actual harvest content	14.71	205.95	29.42	211.83	934.41

05/25/2023: Corn, silage

Crop: Corn, silage Acres planted: 38 Plant date: 05/25/2023

Harvest date	Yield	Reporting basis	Density (lbs/cu ft)	Moisture (%)	N (mg/kg)	P (mg/kg)	K (mg/kg)	Salt (mg/kg)	TFS (%)
09/06/2023	856.00 *ton*	As-is		63.3	4,300.00	800.00	4,400.00		4.60

	Yield (tons/acre)	Total N (lbs/acre)	Total P (lbs/acre)	Total K (lbs/acre)	Salt (lbs/acre)
Anticipated harvest content	29.00	281.30	55.10	356.70	0.00
Total actual harvest content	22.53	193.73	36.04	198.23	760.58

FIELD 8

Field name: FIELD 8

10/24/2022: Wheat, silage, soft dough

Crop: Wheat, silage, soft dough Acres planted: 11 Plant date: 10/24/2022

Harvest date	Yield	Reporting basis	Density (lbs/cu ft)	Moisture (%)	N (mg/kg)	P (mg/kg)	K (mg/kg)	Salt (mg/kg)	TFS (%)
04/27/2023	151.00 *ton*	As-is		62.1	7,500.00	1,200.00	7,700.00		8.60

	Yield (tons/acre)	Total N (lbs/acre)	Total P (lbs/acre)	Total K (lbs/acre)	Salt (lbs/acre)
Anticipated harvest content	18.00	262.80	39.60	149.40	0.00
Total actual harvest content	13.73	205.91	32.95	211.40	894.85

Annual Report - General Order No. R5-2007-0035
Reporting period 01/01/2023 to 12/31/2023.

FIELD 8

05/23/2023: Corn, silage

Crop: Corn, silage Acres planted: 11 Plant date: 05/23/2023

Harvest date	Yield	Reporting basis	Density (lbs/cu ft)	Moisture (%)	N (mg/kg)	P (mg/kg)	K (mg/kg)	Salt (mg/kg)	TFS (%)
09/06/2023	248.00 *ton*	As-is		63.3	4,300.00	800.00	4,400.00		4.60

	Yield (tons/acre)	Total N (lbs/acre)	Total P (lbs/acre)	Total K (lbs/acre)	Salt (lbs/acre)
Anticipated harvest content	29.00	281.30	55.10	356.70	0.00
Total actual harvest content	22.55	193.89	36.07	198.40	761.22

FIELD 9

Field name: FIELD 9

10/20/2022: Winter Forage (Triticale)

Crop: Winter Forage (Triticale) Acres planted: 15 Plant date: 10/20/2022

Harvest date	Yield	Reporting basis	Density (lbs/cu ft)	Moisture (%)	N (mg/kg)	P (mg/kg)	K (mg/kg)	Salt (mg/kg)	TFS (%)
04/26/2023	189.00 *ton*	As-is		56.6	5,600.00	1,000.00	5,900.00		8.70

	Yield (tons/acre)	Total N (lbs/acre)	Total P (lbs/acre)	Total K (lbs/acre)	Salt (lbs/acre)
Anticipated harvest content	18.00	198.00	30.60	149.40	0.00
Total actual harvest content	12.60	141.12	25.20	148.68	951.50

05/23/2023: Corn, silage

Crop: Corn, silage Acres planted: 15 Plant date: 05/23/2023

Harvest date	Yield	Reporting basis	Density (lbs/cu ft)	Moisture (%)	N (mg/kg)	P (mg/kg)	K (mg/kg)	Salt (mg/kg)	TFS (%)
09/07/2023	377.00 *ton*	As-is		60.0	3,500.00	1,200.00	4,200.00		5.70

	Yield (tons/acre)	Total N (lbs/acre)	Total P (lbs/acre)	Total K (lbs/acre)	Salt (lbs/acre)
Anticipated harvest content	29.00	281.30	55.10	356.70	0.00
Total actual harvest content	25.13	175.93	60.32	211.12	1,146.08

Annual Report - General Order No. R5-2007-0035
Reporting period 01/01/2023 to 12/31/2023.

FIELD H1A

Field name: FIELD H1A

04/10/2023: Corn, silage

Crop: Corn, silage Acres planted: 30 Plant date: 04/10/2023

Harvest date	Yield	Reporting basis	Density (lbs/cu ft)	Moisture (%)	N (mg/kg)	P (mg/kg)	K (mg/kg)	Salt (mg/kg)	TFS (%)
08/04/2023	1,032.00 *ton*	As-is		61.4	3,100.00	1,000.00	3,200.00		5.00

	Yield (tons/acre)	Total N (lbs/acre)	Total P (lbs/acre)	Total K (lbs/acre)	Salt (lbs/acre)
Anticipated harvest content	29.00	281.30	55.10	356.70	0.00
Total actual harvest content	34.40	213.28	68.80	220.16	1,327.84

FIELD H1B

Field name: FIELD H1B

10/25/2017: Alfalfa, hay

Crop: Alfalfa, hay Acres planted: 39 Plant date: 10/25/2017

Harvest date	Yield	Reporting basis	Density (lbs/cu ft)	Moisture (%)	N (mg/kg)	P (mg/kg)	K (mg/kg)	Salt (mg/kg)	TFS (%)
08/29/2023	311.20 *ton*	As-is		7.7	27,100.00	3,100.00	23,200.00		9.40

	Yield (tons/acre)	Total N (lbs/acre)	Total P (lbs/acre)	Total K (lbs/acre)	Salt (lbs/acre)
Anticipated harvest content	9.00	642.60	62.10	409.50	0.00
Total actual harvest content	7.98	432.49	49.47	370.25	1,384.63

FIELD H2

Field name: FIELD H2

Annual Report - General Order No. R5-2007-0035
Reporting period 01/01/2023 to 12/31/2023.

FIELD H2

11/22/2022: Oats, silage-soft dough

Crop: Oats, silage-soft dough Acres planted: 4 Plant date: 11/22/2022

Harvest date	Yield	Reporting basis	Density (lbs/cu ft)	Moisture (%)	N (mg/kg)	P (mg/kg)	K (mg/kg)	Salt (mg/kg)	TFS (%)
04/26/2023	33.00 *ton*	As-is		63.6	5,000.00	1,100.00	8,200.00		8.00

	Yield (tons/acre)	Total N (lbs/acre)	Total P (lbs/acre)	Total K (lbs/acre)	Salt (lbs/acre)
Anticipated harvest content	16.00	160.00	25.60	132.80	0.00
Total actual harvest content	8.25	82.50	18.15	135.30	480.48

05/15/2023: Corn, silage

Crop: Corn, silage Acres planted: 4 Plant date: 05/15/2023

Harvest date	Yield	Reporting basis	Density (lbs/cu ft)	Moisture (%)	N (mg/kg)	P (mg/kg)	K (mg/kg)	Salt (mg/kg)	TFS (%)
09/06/2023	109.00 *ton*	As-is		65.5	3,100.00	1,000.00	4,400.00		5.40

	Yield (tons/acre)	Total N (lbs/acre)	Total P (lbs/acre)	Total K (lbs/acre)	Salt (lbs/acre)
Anticipated harvest content	29.00	281.30	55.10	356.70	0.00
Total actual harvest content	27.25	168.95	54.50	239.80	1,015.34

Annual Report - General Order No. R5-2007-0035
Reporting period 01/01/2023 to 12/31/2023.

NUTRIENT BUDGET

A. LAND APPLICATIONS

FIELD 1 - 11/03/2022: Wheat, silage, soft dough

Field name: FIELD 1

Crop: Wheat, silage, soft dough

Plant date: 11/03/2022

Application date	Application method	Precipitation 24 hours prior	Precipitation during application	Precipitation 24 hours following
10/24/2022	Surface (irrigation)	No precipitation	No precipitation	No precipitation

Source description	Material type	N (lbs/acre)	P (lbs/acre)	K (lbs/acre)	Salt (lbs/acre)	Amount
IW Dairy Well	Ground water	1.81	0.00	0.00	384.33	9,993,060.00 *gal*
Application event totals		1.81	0.00	0.00	384.33	

Application date	Application method	Precipitation 24 hours prior	Precipitation during application	Precipitation 24 hours following
12/15/2022	Surface (irrigation)	No precipitation	No precipitation	No precipitation

Source description	Material type	N (lbs/acre)	P (lbs/acre)	K (lbs/acre)	Salt (lbs/acre)	Amount
WWS	Process wastewater	46.26	12.32	52.37	351.56	1,336,500.00 *gal*
Application event totals		46.26	12.32	52.37	351.56	

Application date	Application method	Precipitation 24 hours prior	Precipitation during application	Precipitation 24 hours following
01/31/2023	Surface (irrigation)	No precipitation	No precipitation	No precipitation

Source description	Material type	N (lbs/acre)	P (lbs/acre)	K (lbs/acre)	Salt (lbs/acre)	Amount
WWS	Process wastewater	75.09	15.76	90.93	574.55	1,377,000.00 *gal*
Application event totals		75.09	15.76	90.93	574.55	

Application date	Application method	Precipitation 24 hours prior	Precipitation during application	Precipitation 24 hours following
03/06/2023	Surface (irrigation)	No precipitation	No precipitation	No precipitation

Source description	Material type	N (lbs/acre)	P (lbs/acre)	K (lbs/acre)	Salt (lbs/acre)	Amount
WWS	Process wastewater	70.67	14.84	85.58	540.76	1,296,000.00 *gal*
Application event totals		70.67	14.84	85.58	540.76	

Application date	Application method	Precipitation 24 hours prior	Precipitation during application	Precipitation 24 hours following
04/20/2023	Surface (irrigation)	No precipitation	No precipitation	No precipitation

Source description	Material type	N (lbs/acre)	P (lbs/acre)	K (lbs/acre)	Salt (lbs/acre)	Amount
IW Dairy Well	Ground water	1.39	0.00	0.00	294.78	7,664,580.00 *gal*
Application event totals		1.39	0.00	0.00	294.78	

Annual Report - General Order No. R5-2007-0035
Reporting period 01/01/2023 to 12/31/2023.

FIELD 1 - 06/02/2023: Corn, silage

Field name: FIELD 1

Crop: Corn, silage

Plant date: 06/02/2023

Application date	Application method	Precipitation 24 hours prior	Precipitation during application	Precipitation 24 hours following
05/20/2023	Surface (irrigation)	No precipitation	No precipitation	No precipitation

Source description	Material type	N (lbs/acre)	P (lbs/acre)	K (lbs/acre)	Salt (lbs/acre)	Amount
IW Dairy Well	Ground water	1.20	0.00	0.00	253.73	6,597,360.00 *gal*
Application event totals		1.20	0.00	0.00	253.73	

Application date	Application method	Precipitation 24 hours prior	Precipitation during application	Precipitation 24 hours following
06/20/2023	Surface (irrigation)	No precipitation	No precipitation	No precipitation

Source description	Material type	N (lbs/acre)	P (lbs/acre)	K (lbs/acre)	Salt (lbs/acre)	Amount
IW Dairy Well	Ground water	0.90	0.00	0.00	190.30	4,948,020.00 *gal*
Application event totals		0.90	0.00	0.00	190.30	

Application date	Application method	Precipitation 24 hours prior	Precipitation during application	Precipitation 24 hours following
07/01/2023	Surface (irrigation)	No precipitation	No precipitation	No precipitation

Source description	Material type	N (lbs/acre)	P (lbs/acre)	K (lbs/acre)	Salt (lbs/acre)	Amount
WWS	Process wastewater	110.20	15.14	133.90	704.23	1,822,500.00 *gal*
IW Dairy Well	Ground water	0.99	0.00	0.00	208.96	5,433,120.00 *gal*
Application event totals		111.18	15.14	133.90	913.19	

Application date	Application method	Precipitation 24 hours prior	Precipitation during application	Precipitation 24 hours following
07/10/2023	Surface (irrigation)	No precipitation	No precipitation	No precipitation

Source description	Material type	N (lbs/acre)	P (lbs/acre)	K (lbs/acre)	Salt (lbs/acre)	Amount
IW Dairy Well	Ground water	0.86	0.00	0.00	182.84	4,753,980.00 *gal*
Application event totals		0.86	0.00	0.00	182.84	

Application date	Application method	Precipitation 24 hours prior	Precipitation during application	Precipitation 24 hours following
07/17/2023	Surface (irrigation)	No precipitation	No precipitation	No precipitation

Source description	Material type	N (lbs/acre)	P (lbs/acre)	K (lbs/acre)	Salt (lbs/acre)	Amount
WWS	Process wastewater	102.85	14.13	124.98	657.28	1,701,000.00 *gal*
IW Dairy Well	Ground water	0.74	0.00	0.00	156.72	4,074,840.00 *gal*
Application event totals		103.59	14.13	124.98	814.00	

Annual Report - General Order No. R5-2007-0035
Reporting period 01/01/2023 to 12/31/2023.

FIELD 1 - 06/02/2023: Corn, silage

Application date	Application method	Precipitation 24 hours prior	Precipitation during application	Precipitation 24 hours following
07/22/2023	Surface (irrigation)	No precipitation	No precipitation	No precipitation

Source description	Material type	N (lbs/acre)	P (lbs/acre)	K (lbs/acre)	Salt (lbs/acre)	Amount
IW Dairy Well	Ground water	1.09	0.00	0.00	231.34	6,015,240.00 *gal*
Application event totals		1.09	0.00	0.00	231.34	

Application date	Application method	Precipitation 24 hours prior	Precipitation during application	Precipitation 24 hours following
07/29/2023	Surface (irrigation)	No precipitation	No precipitation	No precipitation

Source description	Material type	N (lbs/acre)	P (lbs/acre)	K (lbs/acre)	Salt (lbs/acre)	Amount
IW Dairy Well	Ground water	0.97	0.00	0.00	205.22	5,336,100.00 *gal*
Application event totals		0.97	0.00	0.00	205.22	

Application date	Application method	Precipitation 24 hours prior	Precipitation during application	Precipitation 24 hours following
08/07/2023	Surface (irrigation)	No precipitation	No precipitation	No precipitation

Source description	Material type	N (lbs/acre)	P (lbs/acre)	K (lbs/acre)	Salt (lbs/acre)	Amount
IW Dairy Well	Ground water	0.90	0.00	0.00	190.30	4,948,020.00 *gal*
Application event totals		0.90	0.00	0.00	190.30	

Application date	Application method	Precipitation 24 hours prior	Precipitation during application	Precipitation 24 hours following
08/15/2023	Surface (irrigation)	No precipitation	No precipitation	No precipitation

Source description	Material type	N (lbs/acre)	P (lbs/acre)	K (lbs/acre)	Salt (lbs/acre)	Amount
WWS	Process wastewater	95.50	13.12	116.05	610.33	1,579,500.00 *gal*
IW Dairy Well	Ground water	0.86	0.00	0.00	182.84	4,753,980.00 *gal*
Application event totals		96.37	13.12	116.05	793.17	

Application date	Application method	Precipitation 24 hours prior	Precipitation during application	Precipitation 24 hours following
08/25/2023	Surface (irrigation)	No precipitation	No precipitation	No precipitation

Source description	Material type	N (lbs/acre)	P (lbs/acre)	K (lbs/acre)	Salt (lbs/acre)	Amount
IW Dairy Well	Ground water	0.63	0.00	0.00	134.33	3,492,720.00 *gal*
Application event totals		0.63	0.00	0.00	134.33	

Application date	Application method	Precipitation 24 hours prior	Precipitation during application	Precipitation 24 hours following
09/04/2023	Surface (irrigation)	No precipitation	No precipitation	No precipitation

Source description	Material type	N (lbs/acre)	P (lbs/acre)	K (lbs/acre)	Salt (lbs/acre)	Amount
IW Dairy Well	Ground water	0.72	0.00	0.00	152.99	3,977,820.00 *gal*
Application event totals		0.72	0.00	0.00	152.99	

Annual Report - General Order No. R5-2007-0035
Reporting period 01/01/2023 to 12/31/2023.

FIELD 10 - 10/21/2022: Winter Forage (Triticale)

Field name: FIELD 10

Crop: Winter Forage (Triticale) Plant date: 10/21/2022

Application date	Application method	Precipitation 24 hours prior	Precipitation during application	Precipitation 24 hours following
10/01/2022	Broadcast/incorporate	No precipitation	No precipitation	No precipitation

Source description	Material type	N (lbs/acre)	P (lbs/acre)	K (lbs/acre)	Salt (lbs/acre)	Amount
Corral Solids	Corral solids	165.90	48.23	186.36	0.00	312.00 *ton*
Application event totals		165.90	48.23	186.36	0.00	

10/05/2022	Surface (irrigation)	No precipitation	No precipitation	No precipitation

Source description	Material type	N (lbs/acre)	P (lbs/acre)	K (lbs/acre)	Salt (lbs/acre)	Amount
MID Canal	Surface water	1.69	0.00	0.00	48.87	11,914,500.00 *gal*
Application event totals		1.69	0.00	0.00	48.87	

FIELD 10 - 05/27/2023: Corn, silage

Field name: FIELD 10

Crop: Corn, silage Plant date: 05/27/2023

Application date	Application method	Precipitation 24 hours prior	Precipitation during application	Precipitation 24 hours following
05/11/2023	Surface (irrigation)	No precipitation	No precipitation	No precipitation

Source description	Material type	N (lbs/acre)	P (lbs/acre)	K (lbs/acre)	Salt (lbs/acre)	Amount
MID Canal	Surface water	1.12	0.00	0.00	32.39	7,896,000.00 *gal*
Application event totals		1.12	0.00	0.00	32.39	

05/15/2023	Broadcast/incorporate	No precipitation	No precipitation	No precipitation

Source description	Material type	N (lbs/acre)	P (lbs/acre)	K (lbs/acre)	Salt (lbs/acre)	Amount
Corral Solids	Corral solids	159.12	49.98	193.27	4,840.10	369.00 *ton*
Application event totals		159.12	49.98	193.27	4,840.10	

Annual Report - General Order No. R5-2007-0035
Reporting period 01/01/2023 to 12/31/2023.

FIELD 10 - 05/27/2023: Corn, silage

Application date	Application method	Precipitation 24 hours prior	Precipitation during application	Precipitation 24 hours following
05/27/2023	Sidedress	No precipitation	No precipitation	No precipitation

Source description	Material type	N (lbs/acre)	P (lbs/acre)	K (lbs/acre)	Salt (lbs/acre)	Amount
Sol 30	Solid commercial fertilizer	33.78	0.00	0.00	0.00	
Application event totals		33.78	0.00	0.00	0.00	

06/20/2023	Surface (irrigation)	No precipitation	No precipitation	No precipitation

Source description	Material type	N (lbs/acre)	P (lbs/acre)	K (lbs/acre)	Salt (lbs/acre)	Amount
MID Canal	Surface water	1.28	0.00	0.00	37.01	9,024,000.00 *gal*
Application event totals		1.28	0.00	0.00	37.01	

07/01/2023	Surface (irrigation)	No precipitation	No precipitation	No precipitation

Source description	Material type	N (lbs/acre)	P (lbs/acre)	K (lbs/acre)	Salt (lbs/acre)	Amount
MID Canal	Surface water	1.03	0.00	0.00	29.79	7,261,500.00 *gal*
Application event totals		1.03	0.00	0.00	29.79	

07/09/2023	Surface (irrigation)	No precipitation	No precipitation	No precipitation

Source description	Material type	N (lbs/acre)	P (lbs/acre)	K (lbs/acre)	Salt (lbs/acre)	Amount
MID Canal	Surface water	0.93	0.00	0.00	26.89	6,556,500.00 *gal*
Application event totals		0.93	0.00	0.00	26.89	

07/17/2023	Surface (irrigation)	No precipitation	No precipitation	No precipitation

Source description	Material type	N (lbs/acre)	P (lbs/acre)	K (lbs/acre)	Salt (lbs/acre)	Amount
MID Canal	Surface water	0.99	0.00	0.00	28.63	6,979,500.00 *gal*
Application event totals		0.99	0.00	0.00	28.63	

07/17/2023	Sidedress	No precipitation	No precipitation	No precipitation

Source description	Material type	N (lbs/acre)	P (lbs/acre)	K (lbs/acre)	Salt (lbs/acre)	Amount
Sol 30	Solid commercial fertilizer	27.03	0.00	0.00	0.00	
Application event totals		27.03	0.00	0.00	0.00	

Annual Report - General Order No. R5-2007-0035
Reporting period 01/01/2023 to 12/31/2023.

FIELD 10 - 05/27/2023: Corn, silage

Application date	Application method	Precipitation 24 hours prior	Precipitation during application	Precipitation 24 hours following
07/23/2023	Surface (irrigation)	No precipitation	No precipitation	No precipitation

Source description	Material type	N (lbs/acre)	P (lbs/acre)	K (lbs/acre)	Salt (lbs/acre)	Amount
MID Canal	Surface water	0.77	0.00	0.00	22.27	5,428,500.00 *gal*
Application event totals		0.77	0.00	0.00	22.27	

Application date	Application method	Precipitation 24 hours prior	Precipitation during application	Precipitation 24 hours following
07/30/2023	Surface (irrigation)	No precipitation	No precipitation	No precipitation

Source description	Material type	N (lbs/acre)	P (lbs/acre)	K (lbs/acre)	Salt (lbs/acre)	Amount
MID Canal	Surface water	0.71	0.00	0.00	20.53	5,005,500.00 *gal*
Application event totals		0.71	0.00	0.00	20.53	

Application date	Application method	Precipitation 24 hours prior	Precipitation during application	Precipitation 24 hours following
08/08/2023	Surface (irrigation)	No precipitation	No precipitation	No precipitation

Source description	Material type	N (lbs/acre)	P (lbs/acre)	K (lbs/acre)	Salt (lbs/acre)	Amount
MID Canal	Surface water	0.82	0.00	0.00	23.71	5,781,000.00 *gal*
Application event totals		0.82	0.00	0.00	23.71	

Application date	Application method	Precipitation 24 hours prior	Precipitation during application	Precipitation 24 hours following
08/15/2023	Surface (irrigation)	No precipitation	No precipitation	No precipitation

Source description	Material type	N (lbs/acre)	P (lbs/acre)	K (lbs/acre)	Salt (lbs/acre)	Amount
MID Canal	Surface water	0.70	0.00	0.00	20.24	4,935,000.00 *gal*
Application event totals		0.70	0.00	0.00	20.24	

Application date	Application method	Precipitation 24 hours prior	Precipitation during application	Precipitation 24 hours following
08/23/2023	Surface (irrigation)	No precipitation	No precipitation	No precipitation

Source description	Material type	N (lbs/acre)	P (lbs/acre)	K (lbs/acre)	Salt (lbs/acre)	Amount
MID Canal	Surface water	0.79	0.00	0.00	22.84	5,569,500.00 *gal*
Application event totals		0.79	0.00	0.00	22.84	

FIELD 2 - 11/05/2022: Alfalfa, hay

Field name: FIELD 2

Crop: Alfalfa, hay

Plant date: 11/05/2022

Application date	Application method	Precipitation 24 hours prior	Precipitation during application	Precipitation 24 hours following

Annual Report - General Order No. R5-2007-0035
Reporting period 01/01/2023 to 12/31/2023.

FIELD 2 - 11/05/2022: Alfalfa, hay

Application date	Application method	Precipitation 24 hours prior	Precipitation during application	Precipitation 24 hours following
03/02/2023	Surface (irrigation)	No precipitation	No precipitation	No precipitation

Source description	Material type	N (lbs/acre)	P (lbs/acre)	K (lbs/acre)	Salt (lbs/acre)	Amount
MID Canal	Surface water	1.18	0.00	0.00	34.12	2,820,000.00 *gal*
Application event totals		1.18	0.00	0.00	34.12	

Application date	Application method	Precipitation 24 hours prior	Precipitation during application	Precipitation 24 hours following
05/02/2023	Surface (irrigation)	No precipitation	No precipitation	No precipitation

Source description	Material type	N (lbs/acre)	P (lbs/acre)	K (lbs/acre)	Salt (lbs/acre)	Amount
MID Canal	Surface water	1.00	0.00	0.00	29.00	2,397,000.00 *gal*
Application event totals		1.00	0.00	0.00	29.00	

Application date	Application method	Precipitation 24 hours prior	Precipitation during application	Precipitation 24 hours following
06/01/2023	Surface (irrigation)	No precipitation	No precipitation	No precipitation

Source description	Material type	N (lbs/acre)	P (lbs/acre)	K (lbs/acre)	Salt (lbs/acre)	Amount
MID Canal	Surface water	0.85	0.00	0.00	24.74	2,044,500.00 *gal*
Application event totals		0.85	0.00	0.00	24.74	

Application date	Application method	Precipitation 24 hours prior	Precipitation during application	Precipitation 24 hours following
06/13/2023	Surface (irrigation)	No precipitation	No precipitation	No precipitation

Source description	Material type	N (lbs/acre)	P (lbs/acre)	K (lbs/acre)	Salt (lbs/acre)	Amount
MID Canal	Surface water	1.15	0.00	0.00	33.27	2,749,500.00 *gal*
Application event totals		1.15	0.00	0.00	33.27	

Application date	Application method	Precipitation 24 hours prior	Precipitation during application	Precipitation 24 hours following
06/29/2023	Surface (irrigation)	No precipitation	No precipitation	No precipitation

Source description	Material type	N (lbs/acre)	P (lbs/acre)	K (lbs/acre)	Salt (lbs/acre)	Amount
MID Canal	Surface water	1.00	0.00	0.00	29.00	2,397,000.00 *gal*
Application event totals		1.00	0.00	0.00	29.00	

Application date	Application method	Precipitation 24 hours prior	Precipitation during application	Precipitation 24 hours following
07/09/2023	Surface (irrigation)	No precipitation	No precipitation	No precipitation

Source description	Material type	N (lbs/acre)	P (lbs/acre)	K (lbs/acre)	Salt (lbs/acre)	Amount
MID Canal	Surface water	0.79	0.00	0.00	23.03	1,903,500.00 *gal*
Application event totals		0.79	0.00	0.00	23.03	

Annual Report - General Order No. R5-2007-0035
Reporting period 01/01/2023 to 12/31/2023.

FIELD 2 - 11/05/2022: Alfalfa, hay

Application date	Application method	Precipitation 24 hours prior	Precipitation during application	Precipitation 24 hours following
07/27/2023	Surface (irrigation)	No precipitation	No precipitation	No precipitation

Source description	Material type	N (lbs/acre)	P (lbs/acre)	K (lbs/acre)	Salt (lbs/acre)	Amount
WWS	Process wastewater	135.18	18.57	164.25	863.86	972,000.00 *gal*
MID Canal	Surface water	0.71	0.00	0.00	20.47	1,692,000.00 *gal*
Application event totals		135.88	18.57	164.25	884.33	

Application date	Application method	Precipitation 24 hours prior	Precipitation during application	Precipitation 24 hours following
08/05/2023	Surface (irrigation)	No precipitation	No precipitation	No precipitation

Source description	Material type	N (lbs/acre)	P (lbs/acre)	K (lbs/acre)	Salt (lbs/acre)	Amount
MID Canal	Surface water	0.68	0.00	0.00	19.62	1,621,500.00 *gal*
Application event totals		0.68	0.00	0.00	19.62	

Application date	Application method	Precipitation 24 hours prior	Precipitation during application	Precipitation 24 hours following
08/16/2023	Surface (irrigation)	No precipitation	No precipitation	No precipitation

Source description	Material type	N (lbs/acre)	P (lbs/acre)	K (lbs/acre)	Salt (lbs/acre)	Amount
MID Canal	Surface water	0.62	0.00	0.00	17.91	1,480,500.00 *gal*
Application event totals		0.62	0.00	0.00	17.91	

Application date	Application method	Precipitation 24 hours prior	Precipitation during application	Precipitation 24 hours following
09/02/2023	Surface (irrigation)	No precipitation	No precipitation	No precipitation

Source description	Material type	N (lbs/acre)	P (lbs/acre)	K (lbs/acre)	Salt (lbs/acre)	Amount
MID Canal	Surface water	0.82	0.00	0.00	23.89	1,974,000.00 *gal*
Application event totals		0.82	0.00	0.00	23.89	

Application date	Application method	Precipitation 24 hours prior	Precipitation during application	Precipitation 24 hours following
09/13/2023	Surface (irrigation)	No precipitation	No precipitation	No precipitation

Source description	Material type	N (lbs/acre)	P (lbs/acre)	K (lbs/acre)	Salt (lbs/acre)	Amount
MID Canal	Surface water	0.76	0.00	0.00	22.18	1,833,000.00 *gal*
Application event totals		0.76	0.00	0.00	22.18	

Application date	Application method	Precipitation 24 hours prior	Precipitation during application	Precipitation 24 hours following
10/10/2023	Surface (irrigation)	No precipitation	No precipitation	No precipitation

Source description	Material type	N (lbs/acre)	P (lbs/acre)	K (lbs/acre)	Salt (lbs/acre)	Amount
WWS	Process wastewater	140.58	31.18	132.82	922.66	1,215,000.00 *gal*
MID Canal	Surface water	0.88	0.00	0.00	25.59	2,115,000.00 *gal*
Application event totals		141.46	31.18	132.82	948.26	

Annual Report - General Order No. R5-2007-0035
Reporting period 01/01/2023 to 12/31/2023.

FIELD 3 - 10/18/2022: Wheat, silage, soft dough

Field name: FIELD 3

Crop: Wheat, silage, soft dough

Plant date: 10/18/2022

Application date	Application method	Precipitation 24 hours prior	Precipitation during application	Precipitation 24 hours following
09/16/2022	Broadcast/incorporate	No precipitation	No precipitation	No precipitation

Source description	Material type	N (lbs/acre)	P (lbs/acre)	K (lbs/acre)	Salt (lbs/acre)	Amount
Corral Solids	Corral solids	167.31	48.65	187.95	0.00	80.00 *ton*
Application event totals		167.31	48.65	187.95	0.00	

Application date	Application method	Precipitation 24 hours prior	Precipitation during application	Precipitation 24 hours following
10/09/2022	Surface (irrigation)	No precipitation	No precipitation	No precipitation

Source description	Material type	N (lbs/acre)	P (lbs/acre)	K (lbs/acre)	Salt (lbs/acre)	Amount
MID Canal	Surface water	1.69	0.00	0.00	48.91	3,031,500.00 *gal*
Application event totals		1.69	0.00	0.00	48.91	

Application date	Application method	Precipitation 24 hours prior	Precipitation during application	Precipitation 24 hours following
01/02/2023	Surface (irrigation)	No precipitation	No precipitation	No precipitation

Source description	Material type	N (lbs/acre)	P (lbs/acre)	K (lbs/acre)	Salt (lbs/acre)	Amount
WWS	Process wastewater	88.05	18.48	106.62	673.69	526,500.00 *gal*
Application event totals		88.05	18.48	106.62	673.69	

FIELD 3 - 05/18/2023: Corn, silage

Field name: FIELD 3

Crop: Corn, silage

Plant date: 05/18/2023

Application date	Application method	Precipitation 24 hours prior	Precipitation during application	Precipitation 24 hours following
05/03/2023	Surface (irrigation)	No precipitation	No precipitation	No precipitation

Source description	Material type	N (lbs/acre)	P (lbs/acre)	K (lbs/acre)	Salt (lbs/acre)	Amount
WWS	Process wastewater	89.93	17.30	104.91	692.17	972,000.00 *gal*
MID Canal	Surface water	0.94	0.00	0.00	27.30	1,692,000.00 *gal*
Application event totals		90.87	17.30	104.91	719.47	

Annual Report - General Order No. R5-2007-0035
Reporting period 01/01/2023 to 12/31/2023.

FIELD 3 - 05/18/2023: Corn, silage

Application date	Application method	Precipitation 24 hours prior	Precipitation during application	Precipitation 24 hours following
06/14/2023	Surface (irrigation)	No precipitation	No precipitation	No precipitation

Source description	Material type	N (lbs/acre)	P (lbs/acre)	K (lbs/acre)	Salt (lbs/acre)	Amount
MID Canal	Surface water	1.06	0.00	0.00	30.71	1,903,500.00 *gal*
Application event totals		1.06	0.00	0.00	30.71	

Application date	Application method	Precipitation 24 hours prior	Precipitation during application	Precipitation 24 hours following
06/30/2023	Surface (irrigation)	No precipitation	No precipitation	No precipitation

Source description	Material type	N (lbs/acre)	P (lbs/acre)	K (lbs/acre)	Salt (lbs/acre)	Amount
WWS	Process wastewater	112.41	21.63	131.13	865.21	1,215,000.00 *gal*
MID Canal	Surface water	1.18	0.00	0.00	34.12	2,115,000.00 *gal*
Application event totals		113.59	21.63	131.13	899.33	

Application date	Application method	Precipitation 24 hours prior	Precipitation during application	Precipitation 24 hours following
07/08/2023	Surface (irrigation)	No precipitation	No precipitation	No precipitation

Source description	Material type	N (lbs/acre)	P (lbs/acre)	K (lbs/acre)	Salt (lbs/acre)	Amount
MID Canal	Surface water	0.90	0.00	0.00	26.16	1,621,500.00 *gal*
Application event totals		0.90	0.00	0.00	26.16	

Application date	Application method	Precipitation 24 hours prior	Precipitation during application	Precipitation 24 hours following
07/15/2023	Surface (irrigation)	No precipitation	No precipitation	No precipitation

Source description	Material type	N (lbs/acre)	P (lbs/acre)	K (lbs/acre)	Salt (lbs/acre)	Amount
MID Canal	Surface water	1.02	0.00	0.00	29.57	1,833,000.00 *gal*
Application event totals		1.02	0.00	0.00	29.57	

Application date	Application method	Precipitation 24 hours prior	Precipitation during application	Precipitation 24 hours following
07/21/2023	Surface (irrigation)	No precipitation	No precipitation	No precipitation

Source description	Material type	N (lbs/acre)	P (lbs/acre)	K (lbs/acre)	Salt (lbs/acre)	Amount
WWS	Process wastewater	142.69	19.61	173.38	911.85	769,500.00 *gal*
MID Canal	Surface water	0.75	0.00	0.00	21.61	1,339,500.00 *gal*
Application event totals		143.43	19.61	173.38	933.46	

Application date	Application method	Precipitation 24 hours prior	Precipitation during application	Precipitation 24 hours following
07/27/2023	Surface (irrigation)	No precipitation	No precipitation	No precipitation

Source description	Material type	N (lbs/acre)	P (lbs/acre)	K (lbs/acre)	Salt (lbs/acre)	Amount
MID Canal	Surface water	1.06	0.00	0.00	30.71	1,903,500.00 *gal*
Application event totals		1.06	0.00	0.00	30.71	

Annual Report - General Order No. R5-2007-0035
Reporting period 01/01/2023 to 12/31/2023.

FIELD 3 - 05/18/2023: Corn, silage

Application date	Application method	Precipitation 24 hours prior	Precipitation during application	Precipitation 24 hours following
08/04/2023	Surface (irrigation)	No precipitation	No precipitation	No precipitation

Source description	Material type	N (lbs/acre)	P (lbs/acre)	K (lbs/acre)	Salt (lbs/acre)	Amount
MID Canal	Surface water	0.86	0.00	0.00	25.02	1,551,000.00 *gal*
Application event totals		0.86	0.00	0.00	25.02	

Application date	Application method	Precipitation 24 hours prior	Precipitation during application	Precipitation 24 hours following
08/13/2023	Surface (irrigation)	No precipitation	No precipitation	No precipitation

Source description	Material type	N (lbs/acre)	P (lbs/acre)	K (lbs/acre)	Salt (lbs/acre)	Amount
MID Canal	Surface water	0.78	0.00	0.00	22.75	1,410,000.00 *gal*
Application event totals		0.78	0.00	0.00	22.75	

Application date	Application method	Precipitation 24 hours prior	Precipitation during application	Precipitation 24 hours following
08/21/2023	Surface (irrigation)	No precipitation	No precipitation	No precipitation

Source description	Material type	N (lbs/acre)	P (lbs/acre)	K (lbs/acre)	Salt (lbs/acre)	Amount
MID Canal	Surface water	0.82	0.00	0.00	23.89	1,480,500.00 *gal*
Application event totals		0.82	0.00	0.00	23.89	

FIELD 4 - 10/18/2022: Wheat, silage, soft dough

Field name: FIELD 4

Crop: Wheat, silage, soft dough

Plant date: 10/18/2022

Application date	Application method	Precipitation 24 hours prior	Precipitation during application	Precipitation 24 hours following
10/11/2022	Surface (irrigation)	No precipitation	No precipitation	No precipitation

Source description	Material type	N (lbs/acre)	P (lbs/acre)	K (lbs/acre)	Salt (lbs/acre)	Amount
MID Canal	Surface water	1.76	0.00	0.00	51.18	2,538,000.00 *gal*
Application event totals		1.76	0.00	0.00	51.18	

Application date	Application method	Precipitation 24 hours prior	Precipitation during application	Precipitation 24 hours following
01/04/2023	Surface (irrigation)	No precipitation	No precipitation	No precipitation

Source description	Material type	N (lbs/acre)	P (lbs/acre)	K (lbs/acre)	Salt (lbs/acre)	Amount
WWS	Process wastewater	118.53	24.88	143.53	906.89	567,000.00 *gal*
Application event totals		118.53	24.88	143.53	906.89	

Annual Report - General Order No. R5-2007-0035
Reporting period 01/01/2023 to 12/31/2023.

FIELD 4 - 10/18/2022: Wheat, silage, soft dough

Application date	Application method	Precipitation 24 hours prior	Precipitation during application	Precipitation 24 hours following
01/24/2023	Surface (irrigation)	No precipitation	No precipitation	No precipitation

Source description	Material type	N (lbs/acre)	P (lbs/acre)	K (lbs/acre)	Salt (lbs/acre)	Amount
WWS	Process wastewater	135.46	28.43	164.03	1,036.45	648,000.00 *gal*
Application event totals		135.46	28.43	164.03	1,036.45	

FIELD 4 - 05/18/2023: Corn, silage

Field name: FIELD 4

Crop: Corn, silage

Plant date: 05/18/2023

Application date	Application method	Precipitation 24 hours prior	Precipitation during application	Precipitation 24 hours following
05/01/2023	Surface (irrigation)	No precipitation	No precipitation	No precipitation

Source description	Material type	N (lbs/acre)	P (lbs/acre)	K (lbs/acre)	Salt (lbs/acre)	Amount
WWS	Process wastewater	60.89	11.72	71.03	468.66	526,500.00 *gal*
MID Canal	Surface water	0.98	0.00	0.00	28.44	1,410,000.00 *gal*
Application event totals		61.87	11.72	71.03	497.09	

06/12/2023	Surface (irrigation)	No precipitation	No precipitation	No precipitation

Source description	Material type	N (lbs/acre)	P (lbs/acre)	K (lbs/acre)	Salt (lbs/acre)	Amount
MID Canal	Surface water	1.03	0.00	0.00	29.86	1,480,500.00 *gal*
Application event totals		1.03	0.00	0.00	29.86	

06/23/2023	Surface (irrigation)	No precipitation	No precipitation	No precipitation

Source description	Material type	N (lbs/acre)	P (lbs/acre)	K (lbs/acre)	Salt (lbs/acre)	Amount
MID Canal	Surface water	1.27	0.00	0.00	36.97	1,833,000.00 *gal*
Application event totals		1.27	0.00	0.00	36.97	

Annual Report - General Order No. R5-2007-0035
Reporting period 01/01/2023 to 12/31/2023.

FIELD 4 - 05/18/2023: Corn, silage

Application date	Application method	Precipitation 24 hours prior	Precipitation during application	Precipitation 24 hours following
07/08/2023	Surface (irrigation)	No precipitation	No precipitation	No precipitation

Source description	Material type	N (lbs/acre)	P (lbs/acre)	K (lbs/acre)	Salt (lbs/acre)	Amount
WWS	Process wastewater	103.26	14.19	125.47	659.89	445,500.00 *gal*
MID Canal	Surface water	1.08	0.00	0.00	31.28	1,551,000.00 *gal*
Application event totals		104.34	14.19	125.47	691.17	

Application date	Application method	Precipitation 24 hours prior	Precipitation during application	Precipitation 24 hours following
07/16/2023	Surface (irrigation)	No precipitation	No precipitation	No precipitation

Source description	Material type	N (lbs/acre)	P (lbs/acre)	K (lbs/acre)	Salt (lbs/acre)	Amount
MID Canal	Surface water	1.13	0.00	0.00	32.70	1,621,500.00 *gal*
Application event totals		1.13	0.00	0.00	32.70	

Application date	Application method	Precipitation 24 hours prior	Precipitation during application	Precipitation 24 hours following
07/28/2023	Surface (irrigation)	No precipitation	No precipitation	No precipitation

Source description	Material type	N (lbs/acre)	P (lbs/acre)	K (lbs/acre)	Salt (lbs/acre)	Amount
MID Canal	Surface water	1.37	0.00	0.00	39.81	1,974,000.00 *gal*
Application event totals		1.37	0.00	0.00	39.81	

Application date	Application method	Precipitation 24 hours prior	Precipitation during application	Precipitation 24 hours following
08/05/2023	Surface (irrigation)	No precipitation	No precipitation	No precipitation

Source description	Material type	N (lbs/acre)	P (lbs/acre)	K (lbs/acre)	Salt (lbs/acre)	Amount
WWS	Process wastewater	98.57	13.54	119.77	629.90	425,250.00 *gal*
MID Canal	Surface water	1.03	0.00	0.00	29.86	1,480,500.00 *gal*
Application event totals		99.60	13.54	119.77	659.75	

Application date	Application method	Precipitation 24 hours prior	Precipitation during application	Precipitation 24 hours following
08/14/2023	Surface (irrigation)	No precipitation	No precipitation	No precipitation

Source description	Material type	N (lbs/acre)	P (lbs/acre)	K (lbs/acre)	Salt (lbs/acre)	Amount
MID Canal	Surface water	0.83	0.00	0.00	24.17	1,198,500.00 *gal*
Application event totals		0.83	0.00	0.00	24.17	

Application date	Application method	Precipitation 24 hours prior	Precipitation during application	Precipitation 24 hours following
08/22/2023	Surface (irrigation)	No precipitation	No precipitation	No precipitation

Source description	Material type	N (lbs/acre)	P (lbs/acre)	K (lbs/acre)	Salt (lbs/acre)	Amount
MID Canal	Surface water	0.93	0.00	0.00	27.01	1,339,500.00 *gal*
Application event totals		0.93	0.00	0.00	27.01	

Annual Report - General Order No. R5-2007-0035
Reporting period 01/01/2023 to 12/31/2023.

FIELD 5 - 11/21/2022: Wheat, silage, soft dough

Field name: FIELD 5

Crop: Wheat, silage, soft dough

Plant date: 11/21/2022

Application date	Application method	Precipitation 24 hours prior	Precipitation during application	Precipitation 24 hours following
11/10/2022	Surface (irrigation)	No precipitation	No precipitation	No precipitation

Source description	Material type	N (lbs/acre)	P (lbs/acre)	K (lbs/acre)	Salt (lbs/acre)	Amount
MID Canal	Surface water	1.66	0.00	0.00	48.26	6,979,500.00 *gal*
Application event totals		1.66	0.00	0.00	48.26	

Application date	Application method	Precipitation 24 hours prior	Precipitation during application	Precipitation 24 hours following
02/22/2023	Surface (irrigation)	No precipitation	No precipitation	No precipitation

Source description	Material type	N (lbs/acre)	P (lbs/acre)	K (lbs/acre)	Salt (lbs/acre)	Amount
WWS	Process wastewater	119.01	24.98	144.11	910.59	1,660,500.00 *gal*
Application event totals		119.01	24.98	144.11	910.59	

Application date	Application method	Precipitation 24 hours prior	Precipitation during application	Precipitation 24 hours following
04/21/2023	Surface (irrigation)	No precipitation	No precipitation	No precipitation

Source description	Material type	N (lbs/acre)	P (lbs/acre)	K (lbs/acre)	Salt (lbs/acre)	Amount
MID Canal	Surface water	0.99	0.00	0.00	28.76	4,159,500.00 *gal*
Application event totals		0.99	0.00	0.00	28.76	

FIELD 5 - 06/23/2023: Corn, silage

Field name: FIELD 5

Crop: Corn, silage

Plant date: 06/23/2023

Application date	Application method	Precipitation 24 hours prior	Precipitation during application	Precipitation 24 hours following
06/05/2023	Surface (irrigation)	No precipitation	No precipitation	No precipitation

Source description	Material type	N (lbs/acre)	P (lbs/acre)	K (lbs/acre)	Salt (lbs/acre)	Amount
WWS	Process wastewater	49.78	9.58	58.07	383.16	1,255,500.00 *gal*
Application event totals		49.78	9.58	58.07	383.16	

Annual Report - General Order No. R5-2007-0035
Reporting period 01/01/2023 to 12/31/2023.

FIELD 5 - 06/23/2023: Corn, silage

Application date	Application method	Precipitation 24 hours prior	Precipitation during application	Precipitation 24 hours following
06/13/2023	Surface (irrigation)	No precipitation	No precipitation	No precipitation

Source description	Material type	N (lbs/acre)	P (lbs/acre)	K (lbs/acre)	Salt (lbs/acre)	Amount
MID Canal	Surface water	1.41	0.00	0.00	40.95	5,922,000.00 *gal*
Application event totals		1.41	0.00	0.00	40.95	

Application date	Application method	Precipitation 24 hours prior	Precipitation during application	Precipitation 24 hours following
06/25/2023	Surface (irrigation)	No precipitation	No precipitation	No precipitation

Source description	Material type	N (lbs/acre)	P (lbs/acre)	K (lbs/acre)	Salt (lbs/acre)	Amount
MID Canal	Surface water	1.26	0.00	0.00	36.56	5,287,500.00 *gal*
Application event totals		1.26	0.00	0.00	36.56	

Application date	Application method	Precipitation 24 hours prior	Precipitation during application	Precipitation 24 hours following
07/16/2023	Surface (irrigation)	No precipitation	No precipitation	No precipitation

Source description	Material type	N (lbs/acre)	P (lbs/acre)	K (lbs/acre)	Salt (lbs/acre)	Amount
MID Canal	Surface water	1.14	0.00	0.00	33.15	4,794,000.00 *gal*
Application event totals		1.14	0.00	0.00	33.15	

Application date	Application method	Precipitation 24 hours prior	Precipitation during application	Precipitation 24 hours following
07/24/2023	Surface (irrigation)	No precipitation	No precipitation	No precipitation

Source description	Material type	N (lbs/acre)	P (lbs/acre)	K (lbs/acre)	Salt (lbs/acre)	Amount
MID Canal	Surface water	0.99	0.00	0.00	28.76	4,159,500.00 *gal*
Application event totals		0.99	0.00	0.00	28.76	

Application date	Application method	Precipitation 24 hours prior	Precipitation during application	Precipitation 24 hours following
07/31/2023	Surface (irrigation)	No precipitation	No precipitation	No precipitation

Source description	Material type	N (lbs/acre)	P (lbs/acre)	K (lbs/acre)	Salt (lbs/acre)	Amount
MID Canal	Surface water	0.86	0.00	0.00	24.86	3,595,500.00 *gal*
Application event totals		0.86	0.00	0.00	24.86	

Application date	Application method	Precipitation 24 hours prior	Precipitation during application	Precipitation 24 hours following
08/09/2023	Surface (irrigation)	No precipitation	No precipitation	No precipitation

Source description	Material type	N (lbs/acre)	P (lbs/acre)	K (lbs/acre)	Salt (lbs/acre)	Amount
WWS	Process wastewater	141.61	19.46	172.08	904.99	1,782,000.00 *gal*
MID Canal	Surface water	0.74	0.00	0.00	21.45	3,102,000.00 *gal*
Application event totals		142.35	19.46	172.08	926.44	

Annual Report - General Order No. R5-2007-0035
Reporting period 01/01/2023 to 12/31/2023.

FIELD 5 - 06/23/2023: Corn, silage

Application date	Application method	Precipitation 24 hours prior	Precipitation during application	Precipitation 24 hours following
08/19/2023	Surface (irrigation)	No precipitation	No precipitation	No precipitation

Source description	Material type	N (lbs/acre)	P (lbs/acre)	K (lbs/acre)	Salt (lbs/acre)	Amount
MID Canal	Surface water	0.77	0.00	0.00	22.42	3,243,000.00 *gal*
Application event totals		0.77	0.00	0.00	22.42	

Application date	Application method	Precipitation 24 hours prior	Precipitation during application	Precipitation 24 hours following
08/29/2023	Surface (irrigation)	No precipitation	No precipitation	No precipitation

Source description	Material type	N (lbs/acre)	P (lbs/acre)	K (lbs/acre)	Salt (lbs/acre)	Amount
WWS	Process wastewater	74.02	10.17	89.95	473.06	931,500.00 *gal*
MID Canal	Surface water	0.39	0.00	0.00	11.21	1,621,500.00 *gal*
Application event totals		74.41	10.17	89.95	484.28	

Application date	Application method	Precipitation 24 hours prior	Precipitation during application	Precipitation 24 hours following
09/05/2023	Surface (irrigation)	No precipitation	No precipitation	No precipitation

Source description	Material type	N (lbs/acre)	P (lbs/acre)	K (lbs/acre)	Salt (lbs/acre)	Amount
MID Canal	Surface water	0.89	0.00	0.00	25.84	3,736,500.00 *gal*
Application event totals		0.89	0.00	0.00	25.84	

Application date	Application method	Precipitation 24 hours prior	Precipitation during application	Precipitation 24 hours following
09/12/2023	Surface (irrigation)	No precipitation	No precipitation	No precipitation

Source description	Material type	N (lbs/acre)	P (lbs/acre)	K (lbs/acre)	Salt (lbs/acre)	Amount
MID Canal	Surface water	0.82	0.00	0.00	23.89	3,454,500.00 *gal*
Application event totals		0.82	0.00	0.00	23.89	

FIELD 6 - 11/04/2022: Alfalfa, hay

Field name: FIELD 6

Crop: Alfalfa, hay

Plant date: 11/04/2022

Application date	Application method	Precipitation 24 hours prior	Precipitation during application	Precipitation 24 hours following
05/02/2023	Surface (irrigation)	No precipitation	No precipitation	No precipitation

Source description	Material type	N (lbs/acre)	P (lbs/acre)	K (lbs/acre)	Salt (lbs/acre)	Amount
MID Canal	Surface water	1.18	0.00	0.00	34.12	2,538,000.00 *gal*
Application event totals		1.18	0.00	0.00	34.12	

Annual Report - General Order No. R5-2007-0035
Reporting period 01/01/2023 to 12/31/2023.

FIELD 6 - 11/04/2022: Alfalfa, hay

Application date	Application method	Precipitation 24 hours prior	Precipitation during application	Precipitation 24 hours following
06/01/2023	Surface (irrigation)	No precipitation	No precipitation	No precipitation

Source description	Material type	N (lbs/acre)	P (lbs/acre)	K (lbs/acre)	Salt (lbs/acre)	Amount
MID Canal	Surface water	1.01	0.00	0.00	29.38	2,185,500.00 *gal*
Application event totals		1.01	0.00	0.00	29.38	

Application date	Application method	Precipitation 24 hours prior	Precipitation during application	Precipitation 24 hours following
06/14/2023	Surface (irrigation)	No precipitation	No precipitation	No precipitation

Source description	Material type	N (lbs/acre)	P (lbs/acre)	K (lbs/acre)	Salt (lbs/acre)	Amount
MID Canal	Surface water	1.27	0.00	0.00	36.97	2,749,500.00 *gal*
Application event totals		1.27	0.00	0.00	36.97	

Application date	Application method	Precipitation 24 hours prior	Precipitation during application	Precipitation 24 hours following
06/30/2023	Surface (irrigation)	No precipitation	No precipitation	No precipitation

Source description	Material type	N (lbs/acre)	P (lbs/acre)	K (lbs/acre)	Salt (lbs/acre)	Amount
MID Canal	Surface water	0.92	0.00	0.00	26.54	1,974,000.00 *gal*
Application event totals		0.92	0.00	0.00	26.54	

Application date	Application method	Precipitation 24 hours prior	Precipitation during application	Precipitation 24 hours following
07/07/2023	Surface (irrigation)	No precipitation	No precipitation	No precipitation

Source description	Material type	N (lbs/acre)	P (lbs/acre)	K (lbs/acre)	Salt (lbs/acre)	Amount
MID Canal	Surface water	1.11	0.00	0.00	32.23	2,397,000.00 *gal*
Application event totals		1.11	0.00	0.00	32.23	

Application date	Application method	Precipitation 24 hours prior	Precipitation during application	Precipitation 24 hours following
07/28/2023	Surface (irrigation)	No precipitation	No precipitation	No precipitation

Source description	Material type	N (lbs/acre)	P (lbs/acre)	K (lbs/acre)	Salt (lbs/acre)	Amount
MID Canal	Surface water	0.98	0.00	0.00	28.44	2,115,000.00 *gal*
Application event totals		0.98	0.00	0.00	28.44	

Application date	Application method	Precipitation 24 hours prior	Precipitation during application	Precipitation 24 hours following
08/06/2023	Surface (irrigation)	No precipitation	No precipitation	No precipitation

Source description	Material type	N (lbs/acre)	P (lbs/acre)	K (lbs/acre)	Salt (lbs/acre)	Amount
MID Canal	Surface water	0.92	0.00	0.00	26.54	1,974,000.00 *gal*
Application event totals		0.92	0.00	0.00	26.54	

Annual Report - General Order No. R5-2007-0035
Reporting period 01/01/2023 to 12/31/2023.

FIELD 6 - 11/04/2022: Alfalfa, hay

Application date	Application method	Precipitation 24 hours prior	Precipitation during application	Precipitation 24 hours following
08/19/2023	Surface (irrigation)	No precipitation	No precipitation	No precipitation

Source description	Material type	N (lbs/acre)	P (lbs/acre)	K (lbs/acre)	Salt (lbs/acre)	Amount
MID Canal	Surface water	0.65	0.00	0.00	18.96	1,410,000.00 *gal*
Application event totals		0.65	0.00	0.00	18.96	

Application date	Application method	Precipitation 24 hours prior	Precipitation during application	Precipitation 24 hours following
09/03/2023	Surface (irrigation)	No precipitation	No precipitation	No precipitation

Source description	Material type	N (lbs/acre)	P (lbs/acre)	K (lbs/acre)	Salt (lbs/acre)	Amount
MID Canal	Surface water	0.78	0.00	0.00	22.75	1,692,000.00 *gal*
Application event totals		0.78	0.00	0.00	22.75	

Application date	Application method	Precipitation 24 hours prior	Precipitation during application	Precipitation 24 hours following
09/13/2023	Surface (irrigation)	No precipitation	No precipitation	No precipitation

Source description	Material type	N (lbs/acre)	P (lbs/acre)	K (lbs/acre)	Salt (lbs/acre)	Amount
MID Canal	Surface water	0.69	0.00	0.00	19.90	1,480,500.00 *gal*
Application event totals		0.69	0.00	0.00	19.90	

Application date	Application method	Precipitation 24 hours prior	Precipitation during application	Precipitation 24 hours following
10/11/2023	Surface (irrigation)	No precipitation	No precipitation	No precipitation

Source description	Material type	N (lbs/acre)	P (lbs/acre)	K (lbs/acre)	Salt (lbs/acre)	Amount
MID Canal	Surface water	0.62	0.00	0.00	18.01	1,339,500.00 *gal*
Application event totals		0.62	0.00	0.00	18.01	

FIELD 7 - 10/24/2022: Wheat, silage, soft dough

Field name: FIELD 7

Crop: Wheat, silage, soft dough Plant date: 10/24/2022

Application date	Application method	Precipitation 24 hours prior	Precipitation during application	Precipitation 24 hours following
10/12/2022	Surface (irrigation)	No precipitation	No precipitation	No precipitation

Source description	Material type	N (lbs/acre)	P (lbs/acre)	K (lbs/acre)	Salt (lbs/acre)	Amount
MID Canal	Surface water	1.75	0.00	0.00	50.74	7,966,500.00 *gal*
Application event totals		1.75	0.00	0.00	50.74	

Annual Report - General Order No. R5-2007-0035
Reporting period 01/01/2023 to 12/31/2023.

FIELD 7 - 10/24/2022: Wheat, silage, soft dough

Application date	Application method	Precipitation 24 hours prior	Precipitation during application	Precipitation 24 hours following
12/19/2022	Surface (irrigation)	No precipitation	No precipitation	No precipitation

Source description	Material type	N (lbs/acre)	P (lbs/acre)	K (lbs/acre)	Salt (lbs/acre)	Amount
WWS	Process wastewater	72.97	19.43	82.61	554.54	1,741,500.00 *gal*
Application event totals		72.97	19.43	82.61	554.54	

Application date	Application method	Precipitation 24 hours prior	Precipitation during application	Precipitation 24 hours following
02/15/2023	Surface (irrigation)	No precipitation	No precipitation	No precipitation

Source description	Material type	N (lbs/acre)	P (lbs/acre)	K (lbs/acre)	Salt (lbs/acre)	Amount
WWS	Process wastewater	109.62	23.01	132.73	838.71	1,660,500.00 *gal*
Application event totals		109.62	23.01	132.73	838.71	

Application date	Application method	Precipitation 24 hours prior	Precipitation during application	Precipitation 24 hours following
04/05/2023	Surface (irrigation)	No precipitation	No precipitation	No precipitation

Source description	Material type	N (lbs/acre)	P (lbs/acre)	K (lbs/acre)	Salt (lbs/acre)	Amount
WWS	Process wastewater	68.04	13.09	79.37	523.68	1,863,000.00 *gal*
Application event totals		68.04	13.09	79.37	523.68	

FIELD 7 - 05/25/2023: Corn, silage

Field name: FIELD 7

Crop: Corn, silage

Plant date: 05/25/2023

Application date	Application method	Precipitation 24 hours prior	Precipitation during application	Precipitation 24 hours following
05/10/2023	Surface (irrigation)	No precipitation	No precipitation	No precipitation

Source description	Material type	N (lbs/acre)	P (lbs/acre)	K (lbs/acre)	Salt (lbs/acre)	Amount
MID Canal	Surface water	1.19	0.00	0.00	34.57	5,428,500.00 *gal*
Application event totals		1.19	0.00	0.00	34.57	

Application date	Application method	Precipitation 24 hours prior	Precipitation during application	Precipitation 24 hours following
05/14/2023	Broadcast/incorporate	No precipitation	No precipitation	No precipitation

Source description	Material type	N (lbs/acre)	P (lbs/acre)	K (lbs/acre)	Salt (lbs/acre)	Amount
Corral Solids	Corral solids	216.92	68.14	263.48	6,598.45	324.00 *ton*
Application event totals		216.92	68.14	263.48	6,598.45	

Annual Report - General Order No. R5-2007-0035
Reporting period 01/01/2023 to 12/31/2023.

FIELD 7 - 05/25/2023: Corn, silage

Application date	Application method	Precipitation 24 hours prior	Precipitation during application	Precipitation 24 hours following
06/18/2023	Surface (irrigation)	No precipitation	No precipitation	No precipitation

Source description	Material type	N (lbs/acre)	P (lbs/acre)	K (lbs/acre)	Salt (lbs/acre)	Amount
MID Canal	Surface water	1.29	0.00	0.00	37.27	5,851,500.00 *gal*
Application event totals		1.29	0.00	0.00	37.27	

Application date	Application method	Precipitation 24 hours prior	Precipitation during application	Precipitation 24 hours following
06/28/2023	Surface (irrigation)	No precipitation	No precipitation	No precipitation

Source description	Material type	N (lbs/acre)	P (lbs/acre)	K (lbs/acre)	Salt (lbs/acre)	Amount
MID Canal	Surface water	1.10	0.00	0.00	31.88	5,005,500.00 *gal*
Application event totals		1.10	0.00	0.00	31.88	

Application date	Application method	Precipitation 24 hours prior	Precipitation during application	Precipitation 24 hours following
07/06/2023	Surface (irrigation)	No precipitation	No precipitation	No precipitation

Source description	Material type	N (lbs/acre)	P (lbs/acre)	K (lbs/acre)	Salt (lbs/acre)	Amount
MID Canal	Surface water	1.08	0.00	0.00	31.43	4,935,000.00 *gal*
Application event totals		1.08	0.00	0.00	31.43	

Application date	Application method	Precipitation 24 hours prior	Precipitation during application	Precipitation 24 hours following
07/15/2023	Surface (irrigation)	No precipitation	No precipitation	No precipitation

Source description	Material type	N (lbs/acre)	P (lbs/acre)	K (lbs/acre)	Salt (lbs/acre)	Amount
MID Canal	Surface water	1.04	0.00	0.00	30.08	4,723,500.00 *gal*
Application event totals		1.04	0.00	0.00	30.08	

Application date	Application method	Precipitation 24 hours prior	Precipitation during application	Precipitation 24 hours following
07/27/2023	Surface (irrigation)	No precipitation	No precipitation	No precipitation

Source description	Material type	N (lbs/acre)	P (lbs/acre)	K (lbs/acre)	Salt (lbs/acre)	Amount
MID Canal	Surface water	1.10	0.00	0.00	31.88	5,005,500.00 *gal*
Application event totals		1.10	0.00	0.00	31.88	

Application date	Application method	Precipitation 24 hours prior	Precipitation during application	Precipitation 24 hours following
08/12/2023	Surface (irrigation)	No precipitation	No precipitation	No precipitation

Source description	Material type	N (lbs/acre)	P (lbs/acre)	K (lbs/acre)	Salt (lbs/acre)	Amount
MID Canal	Surface water	0.91	0.00	0.00	26.49	4,159,500.00 *gal*
Application event totals		0.91	0.00	0.00	26.49	

Annual Report - General Order No. R5-2007-0035
Reporting period 01/01/2023 to 12/31/2023.

FIELD 7 - 05/25/2023: Corn, silage

Application date	Application method	Precipitation 24 hours prior	Precipitation during application	Precipitation 24 hours following
08/20/2023	Surface (irrigation)	No precipitation	No precipitation	No precipitation

Source description	Material type	N (lbs/acre)	P (lbs/acre)	K (lbs/acre)	Salt (lbs/acre)	Amount
MID Canal	Surface water	0.82	0.00	0.00	23.80	3,736,500.00 *gal*
Application event totals		0.82	0.00	0.00	23.80	

Application date	Application method	Precipitation 24 hours prior	Precipitation during application	Precipitation 24 hours following
08/30/2023	Surface (irrigation)	No precipitation	No precipitation	No precipitation

Source description	Material type	N (lbs/acre)	P (lbs/acre)	K (lbs/acre)	Salt (lbs/acre)	Amount
MID Canal	Surface water	0.59	0.00	0.00	17.06	2,679,000.00 *gal*
Application event totals		0.59	0.00	0.00	17.06	

FIELD 8 - 10/24/2022: Wheat, silage, soft dough

Field name: FIELD 8

Crop: Wheat, silage, soft dough

Plant date: 10/24/2022

Application date	Application method	Precipitation 24 hours prior	Precipitation during application	Precipitation 24 hours following
10/16/2022	Surface (irrigation)	No precipitation	No precipitation	No precipitation

Source description	Material type	N (lbs/acre)	P (lbs/acre)	K (lbs/acre)	Salt (lbs/acre)	Amount
MID Canal	Surface water	1.71	0.00	0.00	49.63	2,256,000.00 *gal*
Application event totals		1.71	0.00	0.00	49.63	

Application date	Application method	Precipitation 24 hours prior	Precipitation during application	Precipitation 24 hours following
01/05/2023	Surface (irrigation)	No precipitation	No precipitation	No precipitation

Source description	Material type	N (lbs/acre)	P (lbs/acre)	K (lbs/acre)	Salt (lbs/acre)	Amount
WWS	Process wastewater	101.59	21.33	123.02	777.34	445,500.00 *gal*
Application event totals		101.59	21.33	123.02	777.34	

Application date	Application method	Precipitation 24 hours prior	Precipitation during application	Precipitation 24 hours following
03/04/2023	Surface (irrigation)	No precipitation	No precipitation	No precipitation

Source description	Material type	N (lbs/acre)	P (lbs/acre)	K (lbs/acre)	Salt (lbs/acre)	Amount
WWS	Process wastewater	120.07	25.20	145.39	918.67	526,500.00 *gal*
Application event totals		120.07	25.20	145.39	918.67	

Annual Report - General Order No. R5-2007-0035
Reporting period 01/01/2023 to 12/31/2023.

FIELD 8 - 10/24/2022: Wheat, silage, soft dough

Application date	Application method	Precipitation 24 hours prior	Precipitation during application	Precipitation 24 hours following
04/04/2023	Surface (irrigation)	No precipitation	No precipitation	No precipitation

Source description	Material type	N (lbs/acre)	P (lbs/acre)	K (lbs/acre)	Salt (lbs/acre)	Amount
WWS	Process wastewater	40.88	7.87	47.68	314.62	324,000.00 *gal*
Application event totals		40.88	7.87	47.68	314.62	

FIELD 8 - 05/23/2023: Corn, silage

Field name: FIELD 8

Crop: Corn, silage

Plant date: 05/23/2023

Application date	Application method	Precipitation 24 hours prior	Precipitation during application	Precipitation 24 hours following
05/09/2023	Surface (irrigation)	No precipitation	No precipitation	No precipitation

Source description	Material type	N (lbs/acre)	P (lbs/acre)	K (lbs/acre)	Salt (lbs/acre)	Amount
MID Canal	Surface water	1.12	0.00	0.00	32.57	1,480,500.00 *gal*
Application event totals		1.12	0.00	0.00	32.57	

Application date	Application method	Precipitation 24 hours prior	Precipitation during application	Precipitation 24 hours following
05/13/2023	Broadcast/incorporate	No precipitation	No precipitation	No precipitation

Source description	Material type	N (lbs/acre)	P (lbs/acre)	K (lbs/acre)	Salt (lbs/acre)	Amount
Corral Solids	Corral solids	249.79	78.47	303.41	7,598.21	108.00 *ton*
Application event totals		249.79	78.47	303.41	7,598.21	

Application date	Application method	Precipitation 24 hours prior	Precipitation during application	Precipitation 24 hours following
06/16/2023	Surface (irrigation)	No precipitation	No precipitation	No precipitation

Source description	Material type	N (lbs/acre)	P (lbs/acre)	K (lbs/acre)	Salt (lbs/acre)	Amount
MID Canal	Surface water	1.55	0.00	0.00	44.98	2,044,500.00 *gal*
Application event totals		1.55	0.00	0.00	44.98	

Application date	Application method	Precipitation 24 hours prior	Precipitation during application	Precipitation 24 hours following
06/27/2023	Surface (irrigation)	No precipitation	No precipitation	No precipitation

Source description	Material type	N (lbs/acre)	P (lbs/acre)	K (lbs/acre)	Salt (lbs/acre)	Amount
MID Canal	Surface water	1.28	0.00	0.00	37.22	1,692,000.00 *gal*
Application event totals		1.28	0.00	0.00	37.22	

Annual Report - General Order No. R5-2007-0035
Reporting period 01/01/2023 to 12/31/2023.

FIELD 8 - 05/23/2023: Corn, silage

Application date	Application method	Precipitation 24 hours prior	Precipitation during application	Precipitation 24 hours following
07/05/2023	Surface (irrigation)	No precipitation	No precipitation	No precipitation

Source description	Material type	N (lbs/acre)	P (lbs/acre)	K (lbs/acre)	Salt (lbs/acre)	Amount
MID Canal	Surface water	1.07	0.00	0.00	31.02	1,410,000.00 *gal*
Application event totals		1.07	0.00	0.00	31.02	

Application date	Application method	Precipitation 24 hours prior	Precipitation during application	Precipitation 24 hours following
07/14/2023	Surface (irrigation)	No precipitation	No precipitation	No precipitation

Source description	Material type	N (lbs/acre)	P (lbs/acre)	K (lbs/acre)	Salt (lbs/acre)	Amount
MID Canal	Surface water	0.96	0.00	0.00	27.92	1,269,000.00 *gal*
Application event totals		0.96	0.00	0.00	27.92	

Application date	Application method	Precipitation 24 hours prior	Precipitation during application	Precipitation 24 hours following
07/26/2023	Surface (irrigation)	No precipitation	No precipitation	No precipitation

Source description	Material type	N (lbs/acre)	P (lbs/acre)	K (lbs/acre)	Salt (lbs/acre)	Amount
MID Canal	Surface water	0.91	0.00	0.00	26.37	1,198,500.00 *gal*
Application event totals		0.91	0.00	0.00	26.37	

Application date	Application method	Precipitation 24 hours prior	Precipitation during application	Precipitation 24 hours following
08/11/2023	Surface (irrigation)	No precipitation	No precipitation	No precipitation

Source description	Material type	N (lbs/acre)	P (lbs/acre)	K (lbs/acre)	Salt (lbs/acre)	Amount
MID Canal	Surface water	1.02	0.00	0.00	29.47	1,339,500.00 *gal*
Application event totals		1.02	0.00	0.00	29.47	

Application date	Application method	Precipitation 24 hours prior	Precipitation during application	Precipitation 24 hours following
08/19/2023	Surface (irrigation)	No precipitation	No precipitation	No precipitation

Source description	Material type	N (lbs/acre)	P (lbs/acre)	K (lbs/acre)	Salt (lbs/acre)	Amount
MID Canal	Surface water	0.80	0.00	0.00	23.27	1,057,500.00 *gal*
Application event totals		0.80	0.00	0.00	23.27	

Application date	Application method	Precipitation 24 hours prior	Precipitation during application	Precipitation 24 hours following
08/29/2023	Surface (irrigation)	No precipitation	No precipitation	No precipitation

Source description	Material type	N (lbs/acre)	P (lbs/acre)	K (lbs/acre)	Salt (lbs/acre)	Amount
MID Canal	Surface water	0.70	0.00	0.00	20.16	916,500.00 *gal*
Application event totals		0.70	0.00	0.00	20.16	

FIELD 9 - 10/20/2022: Winter Forage (Triticale)

Annual Report - General Order No. R5-2007-0035
Reporting period 01/01/2023 to 12/31/2023.

FIELD 9 - 10/20/2022: Winter Forage (Triticale)

Field name: FIELD 9

Crop: Winter Forage (Triticale) Plant date: 10/20/2022

Application date	Application method	Precipitation 24 hours prior	Precipitation during application	Precipitation 24 hours following
10/04/2022	Surface (irrigation)	No precipitation	No precipitation	No precipitation

Source description	Material type	N (lbs/acre)	P (lbs/acre)	K (lbs/acre)	Salt (lbs/acre)	Amount
MID Canal	Surface water	1.53	0.00	0.00	44.36	2,749,500.00 *gal*
Application event totals		1.53	0.00	0.00	44.36	

Application date	Application method	Precipitation 24 hours prior	Precipitation during application	Precipitation 24 hours following
10/03/2022	Broadcast/incorporate	No precipitation	No precipitation	No precipitation

Source description	Material type	N (lbs/acre)	P (lbs/acre)	K (lbs/acre)	Salt (lbs/acre)	Amount
Coral Solids	Corral solids	184.05	53.51	206.75	0.00	88.00 *ton*
Application event totals		184.05	53.51	206.75	0.00	

FIELD 9 - 05/23/2023: Corn, silage

Field name: FIELD 9

Crop: Corn, silage Plant date: 05/23/2023

Application date	Application method	Precipitation 24 hours prior	Precipitation during application	Precipitation 24 hours following
05/09/2023	Surface (irrigation)	No precipitation	No precipitation	No precipitation

Source description	Material type	N (lbs/acre)	P (lbs/acre)	K (lbs/acre)	Salt (lbs/acre)	Amount
MID Canal	Surface water	1.29	0.00	0.00	37.53	2,326,500.00 *gal*
Application event totals		1.29	0.00	0.00	37.53	

Application date	Application method	Precipitation 24 hours prior	Precipitation during application	Precipitation 24 hours following
05/15/2023	Broadcast/incorporate	No precipitation	No precipitation	No precipitation

Source description	Material type	N (lbs/acre)	P (lbs/acre)	K (lbs/acre)	Salt (lbs/acre)	Amount
Corral Solids	Corral solids	167.91	52.75	203.96	5,107.69	99.00 *ton*
Application event totals		167.91	52.75	203.96	5,107.69	

Annual Report - General Order No. R5-2007-0035
Reporting period 01/01/2023 to 12/31/2023.

FIELD 9 - 05/23/2023: Corn, silage

Application date	Application method	Precipitation 24 hours prior	Precipitation during application	Precipitation 24 hours following
05/23/2023	Sidedress	No precipitation	No precipitation	No precipitation

Source description	Material type	N (lbs/acre)	P (lbs/acre)	K (lbs/acre)	Salt (lbs/acre)	Amount
Sol 30	Solid commercial fertilizer	33.78	0.00	0.00	0.00	
Application event totals		33.78	0.00	0.00	0.00	

06/18/2023	Surface (irrigation)	No precipitation	No precipitation	No precipitation

Source description	Material type	N (lbs/acre)	P (lbs/acre)	K (lbs/acre)	Salt (lbs/acre)	Amount
MID Canal	Surface water	1.22	0.00	0.00	35.26	2,185,500.00 *gal*
Application event totals		1.22	0.00	0.00	35.26	

06/29/2023	Surface (irrigation)	No precipitation	No precipitation	No precipitation

Source description	Material type	N (lbs/acre)	P (lbs/acre)	K (lbs/acre)	Salt (lbs/acre)	Amount
MID Canal	Surface water	1.18	0.00	0.00	34.12	2,115,000.00 *gal*
Application event totals		1.18	0.00	0.00	34.12	

07/08/2023	Surface (irrigation)	No precipitation	No precipitation	No precipitation

Source description	Material type	N (lbs/acre)	P (lbs/acre)	K (lbs/acre)	Salt (lbs/acre)	Amount
MID Canal	Surface water	1.02	0.00	0.00	29.57	1,833,000.00 *gal*
Application event totals		1.02	0.00	0.00	29.57	

07/16/2023	Surface (irrigation)	No precipitation	No precipitation	No precipitation

Source description	Material type	N (lbs/acre)	P (lbs/acre)	K (lbs/acre)	Salt (lbs/acre)	Amount
MID Canal	Surface water	0.82	0.00	0.00	23.89	1,480,500.00 *gal*
Application event totals		0.82	0.00	0.00	23.89	

07/22/2023	Surface (irrigation)	No precipitation	No precipitation	No precipitation

Source description	Material type	N (lbs/acre)	P (lbs/acre)	K (lbs/acre)	Salt (lbs/acre)	Amount
MID Canal	Surface water	0.90	0.00	0.00	26.16	1,621,500.00 *gal*
Application event totals		0.90	0.00	0.00	26.16	

Annual Report - General Order No. R5-2007-0035
Reporting period 01/01/2023 to 12/31/2023.

FIELD 9 - 05/23/2023: Corn, silage

Application date	Application method	Precipitation 24 hours prior	Precipitation during application	Precipitation 24 hours following
07/16/2023	Sidedress	No precipitation	No precipitation	No precipitation

Source description	Material type	N (lbs/acre)	P (lbs/acre)	K (lbs/acre)	Salt (lbs/acre)	Amount
Sol 30	Solid commercial fertilizer	27.03	0.00	0.00	0.00	
Application event totals		27.03	0.00	0.00	0.00	

Application date	Application method	Precipitation 24 hours prior	Precipitation during application	Precipitation 24 hours following
07/29/2023	Surface (irrigation)	No precipitation	No precipitation	No precipitation

Source description	Material type	N (lbs/acre)	P (lbs/acre)	K (lbs/acre)	Salt (lbs/acre)	Amount
MID Canal	Surface water	0.75	0.00	0.00	21.61	1,339,500.00 *gal*
Application event totals		0.75	0.00	0.00	21.61	

Application date	Application method	Precipitation 24 hours prior	Precipitation during application	Precipitation 24 hours following
08/07/2023	Surface (irrigation)	No precipitation	No precipitation	No precipitation

Source description	Material type	N (lbs/acre)	P (lbs/acre)	K (lbs/acre)	Salt (lbs/acre)	Amount
MID Canal	Surface water	0.78	0.00	0.00	22.75	1,410,000.00 *gal*
Application event totals		0.78	0.00	0.00	22.75	

Application date	Application method	Precipitation 24 hours prior	Precipitation during application	Precipitation 24 hours following
08/14/2023	Surface (irrigation)	No precipitation	No precipitation	No precipitation

Source description	Material type	N (lbs/acre)	P (lbs/acre)	K (lbs/acre)	Salt (lbs/acre)	Amount
MID Canal	Surface water	0.67	0.00	0.00	19.34	1,198,500.00 *gal*
Application event totals		0.67	0.00	0.00	19.34	

Application date	Application method	Precipitation 24 hours prior	Precipitation during application	Precipitation 24 hours following
08/22/2023	Surface (irrigation)	No precipitation	No precipitation	No precipitation

Source description	Material type	N (lbs/acre)	P (lbs/acre)	K (lbs/acre)	Salt (lbs/acre)	Amount
MID Canal	Surface water	0.71	0.00	0.00	20.47	1,269,000.00 *gal*
Application event totals		0.71	0.00	0.00	20.47	

FIELD H1A - 04/10/2023: Corn, silage

Field name: FIELD H1A

Crop: Corn, silage

Plant date: 04/10/2023

Application date	Application method	Precipitation 24 hours prior	Precipitation during application	Precipitation 24 hours following

Annual Report - General Order No. R5-2007-0035
Reporting period 01/01/2023 to 12/31/2023.

FIELD H1A - 04/10/2023: Corn, silage

Application date	Application method	Precipitation 24 hours prior	Precipitation during application	Precipitation 24 hours following
04/01/2023	Broadcast/incorporate	No precipitation	No precipitation	No precipitation

Source description	Material type	N (lbs/acre)	P (lbs/acre)	K (lbs/acre)	Salt (lbs/acre)	Amount
Separated Solids	Separator solids	176.42	16.33	63.71	0.00	493.00 *ton*
Application event totals		176.42	16.33	63.71	0.00	

Application date	Application method	Precipitation 24 hours prior	Precipitation during application	Precipitation 24 hours following
04/10/2023	Sidedress	No precipitation	No precipitation	No precipitation

Source description	Material type	N (lbs/acre)	P (lbs/acre)	K (lbs/acre)	Salt (lbs/acre)	Amount
Sol 30	Solid commercial fertilizer	33.78	0.00	0.00	0.00	
Application event totals		33.78	0.00	0.00	0.00	

Application date	Application method	Precipitation 24 hours prior	Precipitation during application	Precipitation 24 hours following
04/28/2023	Surface (irrigation)	No precipitation	No precipitation	No precipitation

Source description	Material type	N (lbs/acre)	P (lbs/acre)	K (lbs/acre)	Salt (lbs/acre)	Amount
MID Canal	Surface water	1.08	0.00	0.00	31.22	3,870,720.00 *gal*
Application event totals		1.08	0.00	0.00	31.22	

Application date	Application method	Precipitation 24 hours prior	Precipitation during application	Precipitation 24 hours following
05/16/2023	Surface (irrigation)	No precipitation	No precipitation	No precipitation

Source description	Material type	N (lbs/acre)	P (lbs/acre)	K (lbs/acre)	Salt (lbs/acre)	Amount
MID Canal	Surface water	1.03	0.00	0.00	29.92	3,709,440.00 *gal*
Application event totals		1.03	0.00	0.00	29.92	

Application date	Application method	Precipitation 24 hours prior	Precipitation during application	Precipitation 24 hours following
05/30/2023	Surface (irrigation)	No precipitation	No precipitation	No precipitation

Source description	Material type	N (lbs/acre)	P (lbs/acre)	K (lbs/acre)	Salt (lbs/acre)	Amount
MID Canal	Surface water	0.94	0.00	0.00	27.32	3,386,880.00 *gal*
Application event totals		0.94	0.00	0.00	27.32	

Application date	Application method	Precipitation 24 hours prior	Precipitation during application	Precipitation 24 hours following
06/11/2023	Surface (irrigation)	No precipitation	No precipitation	No precipitation

Source description	Material type	N (lbs/acre)	P (lbs/acre)	K (lbs/acre)	Salt (lbs/acre)	Amount
MID Canal	Surface water	0.92	0.00	0.00	26.67	3,306,240.00 *gal*
Application event totals		0.92	0.00	0.00	26.67	

Annual Report - General Order No. R5-2007-0035
Reporting period 01/01/2023 to 12/31/2023.

FIELD H1A - 04/10/2023: Corn, silage

Application date	Application method	Precipitation 24 hours prior	Precipitation during application	Precipitation 24 hours following
06/11/2023	Sidedress	No precipitation	No precipitation	No precipitation

Source description	Material type	N (lbs/acre)	P (lbs/acre)	K (lbs/acre)	Salt (lbs/acre)	Amount
Sol 30	Solid commercial fertilizer	27.03	0.00	0.00	0.00	
Application event totals		27.03	0.00	0.00	0.00	

Application date	Application method	Precipitation 24 hours prior	Precipitation during application	Precipitation 24 hours following
06/24/2023	Surface (irrigation)	No precipitation	No precipitation	No precipitation

Source description	Material type	N (lbs/acre)	P (lbs/acre)	K (lbs/acre)	Salt (lbs/acre)	Amount
MID Canal	Surface water	1.30	0.00	0.00	37.73	4,677,120.00 *gal*
Application event totals		1.30	0.00	0.00	37.73	

Application date	Application method	Precipitation 24 hours prior	Precipitation during application	Precipitation 24 hours following
07/07/2023	Surface (irrigation)	No precipitation	No precipitation	No precipitation

Source description	Material type	N (lbs/acre)	P (lbs/acre)	K (lbs/acre)	Salt (lbs/acre)	Amount
MID Canal	Surface water	1.10	0.00	0.00	31.87	3,951,360.00 *gal*
Application event totals		1.10	0.00	0.00	31.87	

Application date	Application method	Precipitation 24 hours prior	Precipitation during application	Precipitation 24 hours following
07/14/2023	Surface (irrigation)	No precipitation	No precipitation	No precipitation

Source description	Material type	N (lbs/acre)	P (lbs/acre)	K (lbs/acre)	Salt (lbs/acre)	Amount
MID Canal	Surface water	0.96	0.00	0.00	27.97	3,467,520.00 *gal*
Application event totals		0.96	0.00	0.00	27.97	

FIELD H1B - 10/25/2017: Alfalfa, hay

Field name: FIELD H1B

Crop: Alfalfa, hay

Plant date: 10/25/2017

Application date	Application method	Precipitation 24 hours prior	Precipitation during application	Precipitation 24 hours following
05/15/2023	Surface (irrigation)	No precipitation	No precipitation	No precipitation

Source description	Material type	N (lbs/acre)	P (lbs/acre)	K (lbs/acre)	Salt (lbs/acre)	Amount
MID Canal	Surface water	1.05	0.00	0.00	30.52	4,919,040.00 *gal*
Application event totals		1.05	0.00	0.00	30.52	

Annual Report - General Order No. R5-2007-0035
Reporting period 01/01/2023 to 12/31/2023.

FIELD H1B - 10/25/2017: Alfalfa, hay

Application date	Application method	Precipitation 24 hours prior	Precipitation during application	Precipitation 24 hours following
05/31/2023	Surface (irrigation)	No precipitation	No precipitation	No precipitation

Source description	Material type	N (lbs/acre)	P (lbs/acre)	K (lbs/acre)	Salt (lbs/acre)	Amount
MID Canal	Surface water	1.12	0.00	0.00	32.53	5,241,600.00 *gal*
Application event totals		1.12	0.00	0.00	32.53	

Application date	Application method	Precipitation 24 hours prior	Precipitation during application	Precipitation 24 hours following
06/12/2023	Surface (irrigation)	No precipitation	No precipitation	No precipitation

Source description	Material type	N (lbs/acre)	P (lbs/acre)	K (lbs/acre)	Salt (lbs/acre)	Amount
MID Canal	Surface water	0.98	0.00	0.00	28.52	4,596,480.00 *gal*
Application event totals		0.98	0.00	0.00	28.52	

Application date	Application method	Precipitation 24 hours prior	Precipitation during application	Precipitation 24 hours following
07/08/2023	Surface (irrigation)	No precipitation	No precipitation	No precipitation

Source description	Material type	N (lbs/acre)	P (lbs/acre)	K (lbs/acre)	Salt (lbs/acre)	Amount
MID Canal	Surface water	1.02	0.00	0.00	29.52	4,757,760.00 *gal*
Application event totals		1.02	0.00	0.00	29.52	

Application date	Application method	Precipitation 24 hours prior	Precipitation during application	Precipitation 24 hours following
07/15/2023	Surface (irrigation)	No precipitation	No precipitation	No precipitation

Source description	Material type	N (lbs/acre)	P (lbs/acre)	K (lbs/acre)	Salt (lbs/acre)	Amount
MID Canal	Surface water	0.88	0.00	0.00	25.52	4,112,640.00 *gal*
Application event totals		0.88	0.00	0.00	25.52	

Application date	Application method	Precipitation 24 hours prior	Precipitation during application	Precipitation 24 hours following
08/05/2023	Surface (irrigation)	No precipitation	No precipitation	No precipitation

Source description	Material type	N (lbs/acre)	P (lbs/acre)	K (lbs/acre)	Salt (lbs/acre)	Amount
MID Canal	Surface water	1.07	0.00	0.00	31.02	4,999,680.00 *gal*
Application event totals		1.07	0.00	0.00	31.02	

Application date	Application method	Precipitation 24 hours prior	Precipitation during application	Precipitation 24 hours following
08/15/2023	Surface (irrigation)	No precipitation	No precipitation	No precipitation

Source description	Material type	N (lbs/acre)	P (lbs/acre)	K (lbs/acre)	Salt (lbs/acre)	Amount
MID Canal	Surface water	0.98	0.00	0.00	28.52	4,596,480.00 *gal*
Application event totals		0.98	0.00	0.00	28.52	

FIELD H2 - 11/22/2022: Oats, silage-soft dough

Annual Report - General Order No. R5-2007-0035
Reporting period 01/01/2023 to 12/31/2023.

FIELD H2 - 11/22/2022: Oats, silage-soft dough

Field name: FIELD H2

Crop: Oats, silage-soft dough

Plant date: 11/22/2022

Application date	Application method	Precipitation 24 hours prior	Precipitation during application	Precipitation 24 hours following
09/16/2022	Broadcast/incorporate	No precipitation	No precipitation	No precipitation

Source description	Material type	N (lbs/acre)	P (lbs/acre)	K (lbs/acre)	Salt (lbs/acre)	Amount
Corral Solids	Corral solids	117.64	34.20	132.15	0.00	15.00 *ton*
Application event totals		117.64	34.20	132.15	0.00	

10/15/2022	Surface (irrigation)	No precipitation	No precipitation	No precipitation

Source description	Material type	N (lbs/acre)	P (lbs/acre)	K (lbs/acre)	Salt (lbs/acre)	Amount
MID Canal	Surface water	1.68	0.00	0.00	48.79	806,400.00 *gal*
Application event totals		1.68	0.00	0.00	48.79	

FIELD H2 - 05/15/2023: Corn, silage

Field name: FIELD H2

Crop: Corn, silage

Plant date: 05/15/2023

Application date	Application method	Precipitation 24 hours prior	Precipitation during application	Precipitation 24 hours following
04/29/2023	Surface (irrigation)	No precipitation	No precipitation	No precipitation

Source description	Material type	N (lbs/acre)	P (lbs/acre)	K (lbs/acre)	Salt (lbs/acre)	Amount
MID Canal	Surface water	0.67	0.00	0.00	19.52	322,560.00 *gal*
Application event totals		0.67	0.00	0.00	19.52	

05/08/2023	Broadcast/incorporate	No precipitation	No precipitation	No precipitation

Source description	Material type	N (lbs/acre)	P (lbs/acre)	K (lbs/acre)	Salt (lbs/acre)	Amount
Corral Solids	Corral solids	152.65	47.95	185.41	4,643.35	24.00 *ton*
Application event totals		152.65	47.95	185.41	4,643.35	

Annual Report - General Order No. R5-2007-0035
Reporting period 01/01/2023 to 12/31/2023.

FIELD H2 - 05/15/2023: Corn, silage

Application date	Application method	Precipitation 24 hours prior	Precipitation during application	Precipitation 24 hours following
05/15/2023	Sidedress	No precipitation	No precipitation	No precipitation

Source description	Material type	N (lbs/acre)	P (lbs/acre)	K (lbs/acre)	Salt (lbs/acre)	Amount
SOL 30	Solid commercial fertilizer	33.78	0.00	0.00	0.00	
Application event totals		33.78	0.00	0.00	0.00	

06/01/2023	Surface (irrigation)	No precipitation	No precipitation	No precipitation

Source description	Material type	N (lbs/acre)	P (lbs/acre)	K (lbs/acre)	Salt (lbs/acre)	Amount
MID Canal	Surface water	0.84	0.00	0.00	24.39	403,200.00 *gal*
Application event totals		0.84	0.00	0.00	24.39	

06/13/2023	Surface (irrigation)	No precipitation	No precipitation	No precipitation

Source description	Material type	N (lbs/acre)	P (lbs/acre)	K (lbs/acre)	Salt (lbs/acre)	Amount
MID Canal	Surface water	1.01	0.00	0.00	29.27	483,840.00 *gal*
Application event totals		1.01	0.00	0.00	29.27	

06/26/2023	Surface (irrigation)	No precipitation	No precipitation	No precipitation

Source description	Material type	N (lbs/acre)	P (lbs/acre)	K (lbs/acre)	Salt (lbs/acre)	Amount
MID Canal	Surface water	1.09	0.00	0.00	31.71	524,160.00 *gal*
Application event totals		1.09	0.00	0.00	31.71	

07/09/2023	Surface (irrigation)	No precipitation	No precipitation	No precipitation

Source description	Material type	N (lbs/acre)	P (lbs/acre)	K (lbs/acre)	Salt (lbs/acre)	Amount
MID Canal	Surface water	1.18	0.00	0.00	34.15	564,480.00 *gal*
Application event totals		1.18	0.00	0.00	34.15	

07/16/2023	Surface (irrigation)	No precipitation	No precipitation	No precipitation

Source description	Material type	N (lbs/acre)	P (lbs/acre)	K (lbs/acre)	Salt (lbs/acre)	Amount
MID Canal	Surface water	0.84	0.00	0.00	24.39	403,200.00 *gal*
Application event totals		0.84	0.00	0.00	24.39	

Annual Report - General Order No. R5-2007-0035
Reporting period 01/01/2023 to 12/31/2023.

FIELD H2 - 05/15/2023: Corn, silage

Application date	Application method	Precipitation 24 hours prior	Precipitation during application	Precipitation 24 hours following
07/16/2023	Sidedress	No precipitation	No precipitation	No precipitation

Source description	Material type	N (lbs/acre)	P (lbs/acre)	K (lbs/acre)	Salt (lbs/acre)	Amount
Sol 30	Solid commercial fertilizer	27.03	0.00	0.00	0.00	
Application event totals		27.03	0.00	0.00	0.00	

08/06/2023	Surface (irrigation)	No precipitation	No precipitation	No precipitation

Source description	Material type	N (lbs/acre)	P (lbs/acre)	K (lbs/acre)	Salt (lbs/acre)	Amount
MID Canal	Surface water	1.26	0.00	0.00	36.59	604,800.00 *gal*
Application event totals		1.26	0.00	0.00	36.59	

08/16/2023	Surface (irrigation)	No precipitation	No precipitation	No precipitation

Source description	Material type	N (lbs/acre)	P (lbs/acre)	K (lbs/acre)	Salt (lbs/acre)	Amount
MID Canal	Surface water	1.18	0.00	0.00	34.15	564,480.00 *gal*
Application event totals		1.18	0.00	0.00	34.15	

Annual Report - General Order No. R5-2007-0035
Reporting period 01/01/2023 to 12/31/2023.

B. NUTRIENT BUDGET

FIELD 1 - 11/03/2022: Wheat, silage, soft dough

Field name: FIELD 1 Crop: Wheat, silage, soft dough Plant date: 11/03/2022

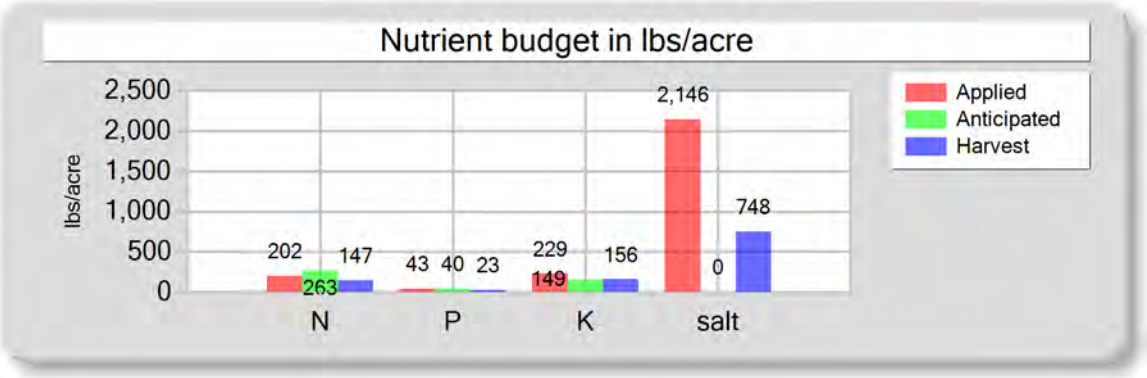

	Total N (lbs/acre)	Total P (lbs/acre)	Total K (lbs/acre)	Total salt (lbs/acre)
Existing soil nutrient content	0.00	0.00	0.00	0.00
Plowdown credit	0.00	0.00	0.00	0.00
Commercial fertilizer / Other	0.00	0.00	0.00	0.00
Dry manure	0.00	0.00	0.00	0.00
Process wastewater	192.03	42.92	228.88	1,466.87
Fresh water	3.20	0.00	0.00	679.11
Atmospheric deposition	7.00	0.00	0.00	0.00
Total nutrients applied	202.23	42.92	228.88	2,145.98
Anticipated crop nutrient removal	262.80	39.60	149.40	0.00
Actual crop nutrient removal	147.46	23.13	156.13	748.13
Nutrient balance	54.77	19.78	72.75	1,397.85
Applied to removed ratio	1.37	1.86	1.47	2.87

Fresh water applied	
17,657,640.00	*gallons*
650.27	*acre-inches*
14.14	*inches/acre*

Process wastewater applied	
4,009,500.00	*gallons*
147.66	*acre-inches*
3.21	*inches/acre*

Total harvests for the crop	
1	*harvests*

Annual Report - General Order No. R5-2007-0035
Reporting period 01/01/2023 to 12/31/2023.

FIELD 1 - 06/02/2023: Corn, silage

Field name: FIELD 1 Crop: Corn, silage Plant date: 06/02/2023

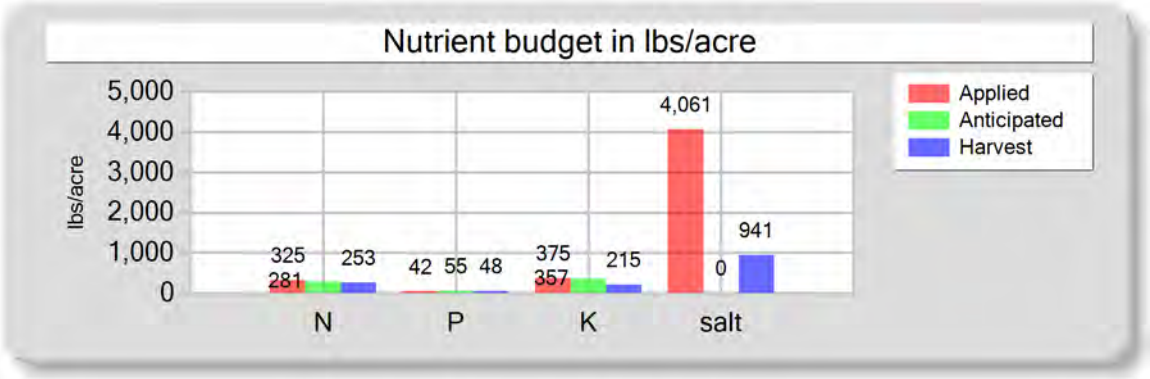

	Total N (lbs/acre)	Total P (lbs/acre)	Total K (lbs/acre)	Total salt (lbs/acre)
Existing soil nutrient content	0.00	0.00	0.00	0.00
Plowdown credit	0.00	0.00	0.00	0.00
Commercial fertilizer / Other	0.00	0.00	0.00	0.00
Dry manure	0.00	0.00	0.00	0.00
Process wastewater	308.55	42.40	374.93	1,971.85
Fresh water	9.86	0.00	0.00	2,089.55
Atmospheric deposition	7.00	0.00	0.00	0.00
Total nutrients applied	325.41	42.40	374.93	4,061.40
Anticipated crop nutrient removal	281.30	55.10	356.70	0.00
Actual crop nutrient removal	252.79	47.70	214.63	940.94
Nutrient balance	72.62	-5.30	160.30	3,120.46
Applied to removed ratio	1.29	0.89	1.75	4.32

Fresh water applied	
54,331,200.00	*gallons*
2,000.83	*acre-inches*
43.50	*inches/acre*

Process wastewater applied	
5,103,000.00	*gallons*
187.93	*acre-inches*
4.09	*inches/acre*

Total harvests for the crop	
1	*harvests*

Annual Report - General Order No. R5-2007-0035
Reporting period 01/01/2023 to 12/31/2023.

FIELD 10 - 10/21/2022: Winter Forage (Triticale)

Field name: FIELD 10 Crop: Winter Forage (Triticale) Plant date: 10/21/2022

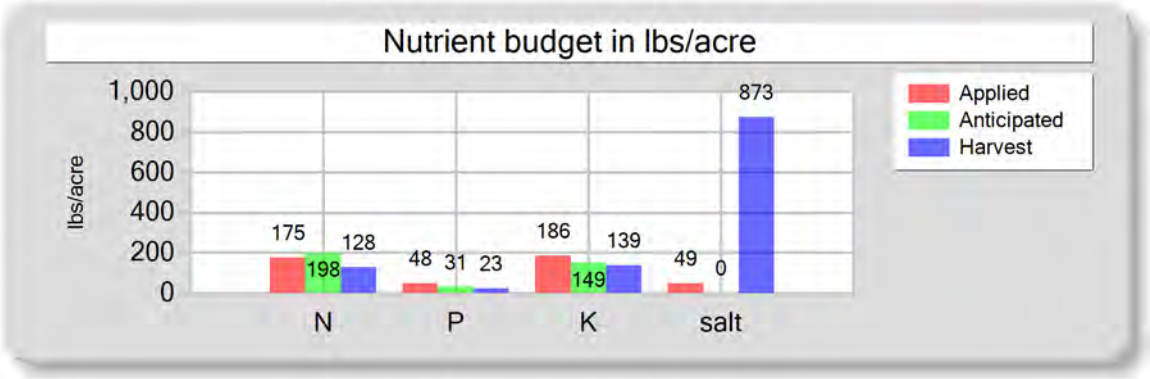

	Total N (lbs/acre)	Total P (lbs/acre)	Total K (lbs/acre)	Total salt (lbs/acre)
Existing soil nutrient content	0.00	0.00	0.00	0.00
Plowdown credit	0.00	0.00	0.00	0.00
Commercial fertilizer / Other	0.00	0.00	0.00	0.00
Dry manure	165.90	48.23	186.36	0.00
Process wastewater	0.00	0.00	0.00	0.00
Fresh water	1.69	0.00	0.00	48.87
Atmospheric deposition	7.00	0.00	0.00	0.00
Total nutrients applied	174.58	48.23	186.36	48.87
Anticipated crop nutrient removal	198.00	30.60	149.40	0.00
Actual crop nutrient removal	128.45	22.67	138.53	873.26
Nutrient balance	46.13	25.57	47.83	-824.39
Applied to removed ratio	1.36	2.13	1.35	0.06

Fresh water applied	
11,914,500.00	*gallons*
438.77	*acre-inches*
7.44	*inches/acre*

Process wastewater applied	
0.00	*gallons*
0.00	*acre-inches*
0.00	*inches/acre*

Total harvests for the crop	
1	*harvests*

Annual Report - General Order No. R5-2007-0035
Reporting period 01/01/2023 to 12/31/2023.

FIELD 10 - 05/27/2023: Corn, silage

Field name: FIELD 10 Crop: Corn, silage Plant date: 05/27/2023

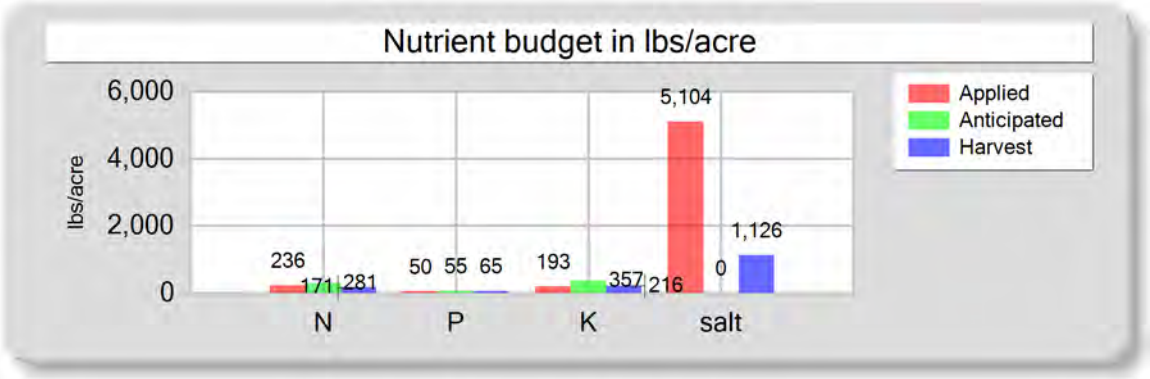

	Total N (lbs/acre)	Total P (lbs/acre)	Total K (lbs/acre)	Total salt (lbs/acre)
Existing soil nutrient content	0.00	0.00	0.00	0.00
Plowdown credit	0.00	0.00	0.00	0.00
Commercial fertilizer / Other	60.81	0.00	0.00	0.00
Dry manure	159.12	49.98	193.27	4,840.10
Process wastewater	0.00	0.00	0.00	0.00
Fresh water	9.11	0.00	0.00	264.31
Atmospheric deposition	7.00	0.00	0.00	0.00
Total nutrients applied	236.04	49.98	193.27	5,104.41
Anticipated crop nutrient removal	281.30	55.10	356.70	0.00
Actual crop nutrient removal	170.92	65.35	216.17	1,126.07
Nutrient balance	65.12	-15.37	-22.90	3,978.34
Applied to removed ratio	1.38	0.76	0.89	4.53

Fresh water applied	
64,437,000.00	*gallons*
2,373.00	*acre-inches*
40.22	*inches/acre*

Process wastewater applied	
0.00	*gallons*
0.00	*acre-inches*
0.00	*inches/acre*

Total harvests for the crop	
1	*harvests*

Annual Report - General Order No. R5-2007-0035
Reporting period 01/01/2023 to 12/31/2023.

FIELD 2 - 11/05/2022: Alfalfa, hay

Field name: FIELD 2 Crop: Alfalfa, hay Plant date: 11/05/2022

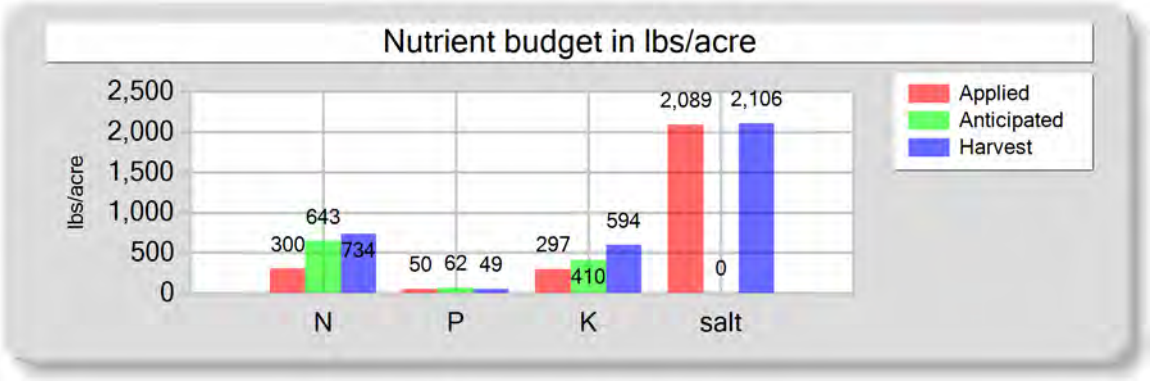

	Total N (lbs/acre)	Total P (lbs/acre)	Total K (lbs/acre)	Total salt (lbs/acre)
Existing soil nutrient content	0.00	0.00	0.00	0.00
Plowdown credit	0.00	0.00	0.00	0.00
Commercial fertilizer / Other	0.00	0.00	0.00	0.00
Dry manure	0.00	0.00	0.00	0.00
Process wastewater	275.76	49.75	297.08	1,786.52
Fresh water	10.44	0.00	0.00	302.84
Atmospheric deposition	14.00	0.00	0.00	0.00
Total nutrients applied	300.20	49.75	297.08	2,089.36
Anticipated crop nutrient removal	642.60	62.10	409.50	0.00
Actual crop nutrient removal	734.01	48.65	594.40	2,106.33
Nutrient balance	-433.81	1.10	-297.32	-16.97
Applied to removed ratio	0.41	1.02	0.50	0.99

Fresh water applied	
25,027,500.00	*gallons*
921.68	*acre-inches*
46.08	*inches/acre*

Process wastewater applied	
2,187,000.00	*gallons*
80.54	*acre-inches*
4.03	*inches/acre*

Total harvests for the crop	
1	*harvests*

Annual Report - General Order No. R5-2007-0035
Reporting period 01/01/2023 to 12/31/2023.

FIELD 3 - 10/18/2022: Wheat, silage, soft dough

Field name: FIELD 3 Crop: Wheat, silage, soft dough Plant date: 10/18/2022

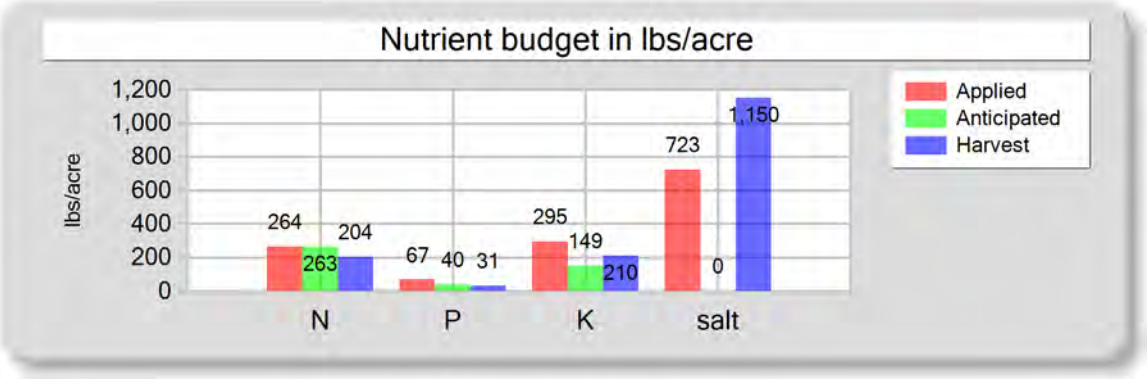

	Total N (lbs/acre)	Total P (lbs/acre)	Total K (lbs/acre)	Total salt (lbs/acre)
Existing soil nutrient content	0.00	0.00	0.00	0.00
Plowdown credit	0.00	0.00	0.00	0.00
Commercial fertilizer / Other	0.00	0.00	0.00	0.00
Dry manure	167.31	48.65	187.95	0.00
Process wastewater	88.05	18.48	106.62	673.69
Fresh water	1.69	0.00	0.00	48.91
Atmospheric deposition	7.00	0.00	0.00	0.00
Total nutrients applied	264.05	67.13	294.57	722.60
Anticipated crop nutrient removal	262.80	39.60	149.40	0.00
Actual crop nutrient removal	204.40	30.80	210.00	1,149.74
Nutrient balance	59.65	36.33	84.57	-427.13
Applied to removed ratio	1.29	2.18	1.40	0.63

Fresh water applied	
3,031,500.00	*gallons*
111.64	*acre-inches*
7.44	*inches/acre*

Process wastewater applied	
526,500.00	*gallons*
19.39	*acre-inches*
1.29	*inches/acre*

Total harvests for the crop	
1	*harvests*

Annual Report - General Order No. R5-2007-0035
Reporting period 01/01/2023 to 12/31/2023.

FIELD 3 - 05/18/2023: Corn, silage

Field name: FIELD 3 Crop: Corn, silage Plant date: 05/18/2023

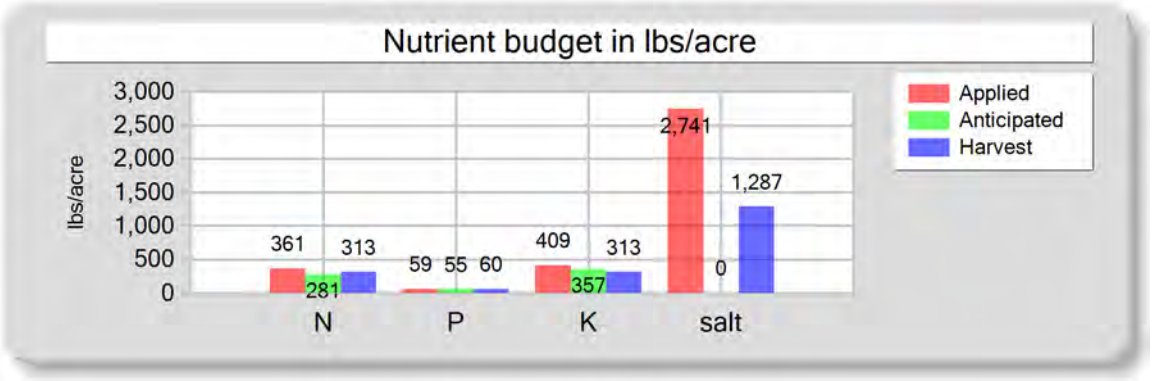

	Total N (lbs/acre)	Total P (lbs/acre)	Total K (lbs/acre)	Total salt (lbs/acre)
Existing soil nutrient content	0.00	0.00	0.00	0.00
Plowdown credit	0.00	0.00	0.00	0.00
Commercial fertilizer / Other	0.00	0.00	0.00	0.00
Dry manure	0.00	0.00	0.00	0.00
Process wastewater	345.02	58.54	409.42	2,469.23
Fresh water	9.37	0.00	0.00	271.84
Atmospheric deposition	7.00	0.00	0.00	0.00
Total nutrients applied	361.40	58.54	409.42	2,741.07
Anticipated crop nutrient removal	281.30	55.10	356.70	0.00
Actual crop nutrient removal	312.71	59.88	312.71	1,287.02
Nutrient balance	48.69	-1.34	96.71	1,454.05
Applied to removed ratio	1.16	0.98	1.31	2.13

Fresh water applied	
16,849,500.00	*gallons*
620.51	*acre-inches*
41.37	*inches/acre*

Process wastewater applied	
2,956,500.00	*gallons*
108.88	*acre-inches*
7.26	*inches/acre*

Total harvests for the crop	
1	*harvests*

Annual Report - General Order No. R5-2007-0035
Reporting period 01/01/2023 to 12/31/2023.

FIELD 4 - 10/18/2022: Wheat, silage, soft dough

Field name: FIELD 4 Crop: Wheat, silage, soft dough Plant date: 10/18/2022

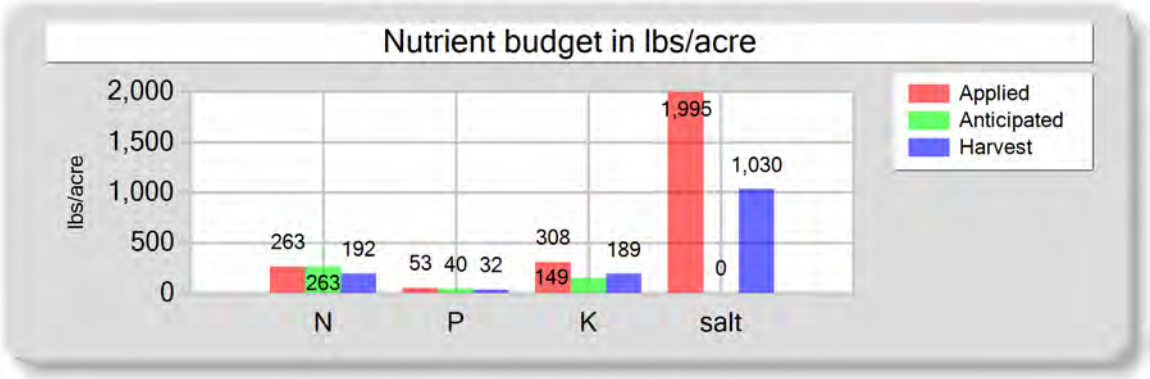

	Total N (lbs/acre)	Total P (lbs/acre)	Total K (lbs/acre)	Total salt (lbs/acre)
Existing soil nutrient content	0.00	0.00	0.00	0.00
Plowdown credit	0.00	0.00	0.00	0.00
Commercial fertilizer / Other	0.00	0.00	0.00	0.00
Dry manure	0.00	0.00	0.00	0.00
Process wastewater	253.99	53.32	307.55	1,943.34
Fresh water	1.76	0.00	0.00	51.18
Atmospheric deposition	7.00	0.00	0.00	0.00
Total nutrients applied	262.75	53.32	307.55	1,994.53
Anticipated crop nutrient removal	262.80	39.60	149.40	0.00
Actual crop nutrient removal	192.00	32.00	189.33	1,030.03
Nutrient balance	70.75	21.32	118.22	964.50
Applied to removed ratio	1.37	1.67	1.62	1.94

Fresh water applied	
2,538,000.00	*gallons*
93.47	*acre-inches*
7.79	*inches/acre*

Process wastewater applied	
1,215,000.00	*gallons*
44.74	*acre-inches*
3.73	*inches/acre*

Total harvests for the crop	
1	*harvests*

Annual Report - General Order No. R5-2007-0035
Reporting period 01/01/2023 to 12/31/2023.

FIELD 4 - 05/18/2023: Corn, silage

Field name: FIELD 4 Crop: Corn, silage Plant date: 05/18/2023

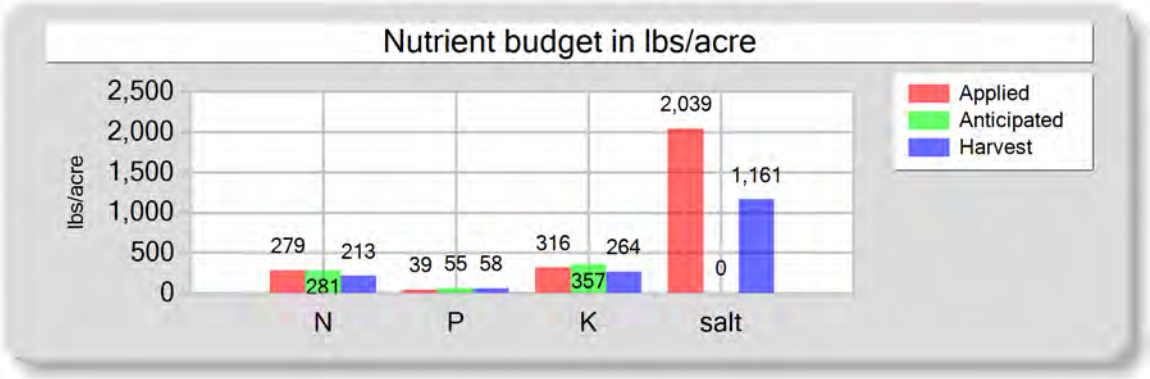

	Total N (lbs/acre)	Total P (lbs/acre)	Total K (lbs/acre)	Total salt (lbs/acre)
Existing soil nutrient content	0.00	0.00	0.00	0.00
Plowdown credit	0.00	0.00	0.00	0.00
Commercial fertilizer / Other	0.00	0.00	0.00	0.00
Dry manure	0.00	0.00	0.00	0.00
Process wastewater	262.71	39.45	316.27	1,758.44
Fresh water	9.66	0.00	0.00	280.09
Atmospheric deposition	7.00	0.00	0.00	0.00
Total nutrients applied	279.37	39.45	316.27	2,038.53
Anticipated crop nutrient removal	281.30	55.10	356.70	0.00
Actual crop nutrient removal	212.85	58.05	264.45	1,161.00
Nutrient balance	66.52	-18.60	51.82	877.53
Applied to removed ratio	1.31	0.68	1.20	1.76

Fresh water applied	
13,888,500.00	*gallons*
511.47	*acre-inches*
42.62	*inches/acre*

Process wastewater applied	
1,397,250.00	*gallons*
51.46	*acre-inches*
4.29	*inches/acre*

Total harvests for the crop	
1	*harvests*

Annual Report - General Order No. R5-2007-0035
Reporting period 01/01/2023 to 12/31/2023.

FIELD 5 - 11/21/2022: Wheat, silage, soft dough

Field name: FIELD 5 Crop: Wheat, silage, soft dough Plant date: 11/21/2022

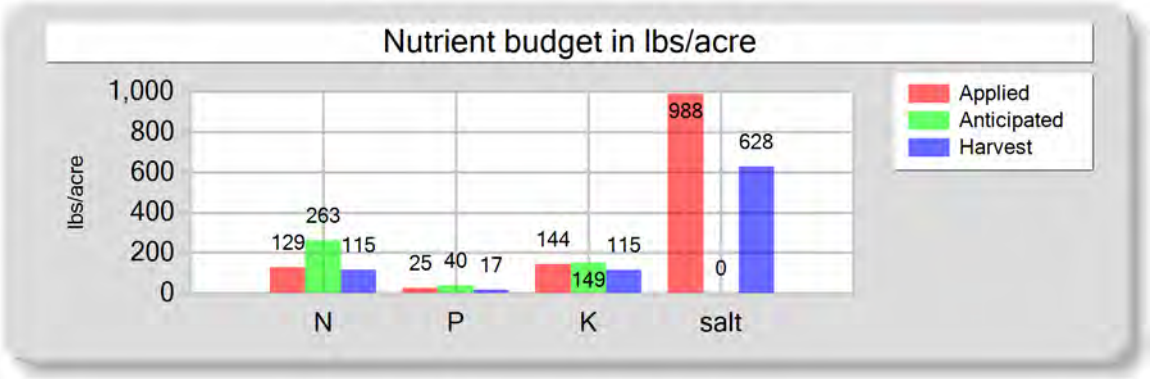

	Total N (lbs/acre)	Total P (lbs/acre)	Total K (lbs/acre)	Total salt (lbs/acre)
Existing soil nutrient content	0.00	0.00	0.00	0.00
Plowdown credit	0.00	0.00	0.00	0.00
Commercial fertilizer / Other	0.00	0.00	0.00	0.00
Dry manure	0.00	0.00	0.00	0.00
Process wastewater	119.01	24.98	144.11	910.59
Fresh water	2.66	0.00	0.00	77.02
Atmospheric deposition	7.00	0.00	0.00	0.00
Total nutrients applied	128.67	24.98	144.11	987.61
Anticipated crop nutrient removal	262.80	39.60	149.40	0.00
Actual crop nutrient removal	114.87	17.48	114.87	628.28
Nutrient balance	13.80	7.50	29.24	359.33
Applied to removed ratio	1.12	1.43	1.25	1.57

Fresh water applied	
11,139,000.00	*gallons*
410.21	*acre-inches*
11.72	*inches/acre*

Process wastewater applied	
1,660,500.00	*gallons*
61.15	*acre-inches*
1.75	*inches/acre*

Total harvests for the crop	
1	*harvests*

Annual Report - General Order No. R5-2007-0035
Reporting period 01/01/2023 to 12/31/2023.

FIELD 5 - 06/23/2023: Corn, silage

Field name: FIELD 5 Crop: Corn, silage Plant date: 06/23/2023

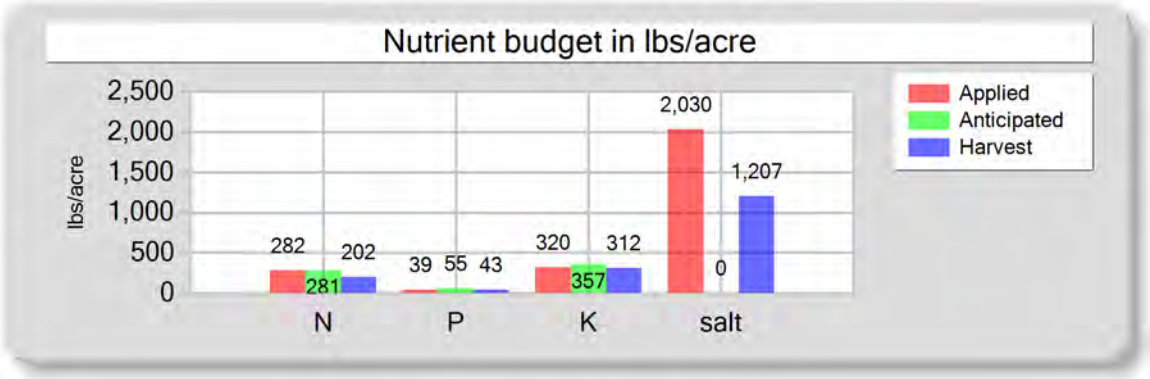

	Total N (lbs/acre)	Total P (lbs/acre)	Total K (lbs/acre)	Total salt (lbs/acre)
Existing soil nutrient content	0.00	0.00	0.00	0.00
Plowdown credit	0.00	0.00	0.00	0.00
Commercial fertilizer / Other	0.00	0.00	0.00	0.00
Dry manure	0.00	0.00	0.00	0.00
Process wastewater	265.42	39.21	320.10	1,761.22
Fresh water	9.28	0.00	0.00	269.08
Atmospheric deposition	7.00	0.00	0.00	0.00
Total nutrients applied	281.70	39.21	320.10	2,030.30
Anticipated crop nutrient removal	281.30	55.10	356.70	0.00
Actual crop nutrient removal	201.60	43.20	312.00	1,207.30
Nutrient balance	80.10	-3.99	8.10	823.01
Applied to removed ratio	1.40	0.91	1.03	1.68

Fresh water applied	
38,916,000.00	*gallons*
1,433.14	*acre-inches*
40.95	*inches/acre*

Process wastewater applied	
3,969,000.00	*gallons*
146.16	*acre-inches*
4.18	*inches/acre*

Total harvests for the crop	
1	*harvests*

Annual Report - General Order No. R5-2007-0035
Reporting period 01/01/2023 to 12/31/2023.

FIELD 6 - 11/04/2022: Alfalfa, hay

Field name: FIELD 6 Crop: Alfalfa, hay Plant date: 11/04/2022

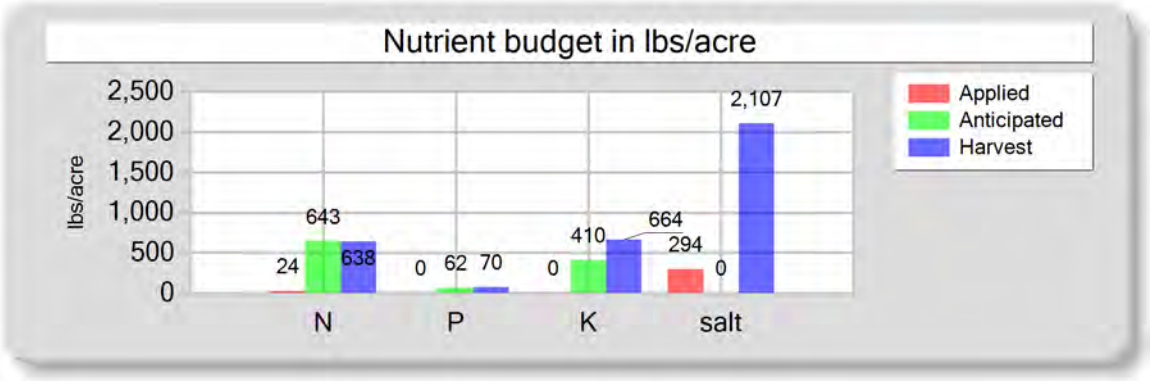

	Total N (lbs/acre)	Total P (lbs/acre)	Total K (lbs/acre)	Total salt (lbs/acre)
Existing soil nutrient content	0.00	0.00	0.00	0.00
Plowdown credit	0.00	0.00	0.00	0.00
Commercial fertilizer / Other	0.00	0.00	0.00	0.00
Dry manure	0.00	0.00	0.00	0.00
Process wastewater	0.00	0.00	0.00	0.00
Fresh water	10.13	0.00	0.00	293.83
Atmospheric deposition	14.00	0.00	0.00	0.00
Total nutrients applied	24.13	0.00	0.00	293.83
Anticipated crop nutrient removal	642.60	62.10	409.50	0.00
Actual crop nutrient removal	638.03	70.16	664.34	2,106.96
Nutrient balance	-613.90	-70.16	-664.34	-1,813.12
Applied to removed ratio	0.04	0.00	0.00	0.14

Fresh water applied	
21,855,000.00	*gallons*
804.85	*acre-inches*
44.71	*inches/acre*

Process wastewater applied	
0.00	*gallons*
0.00	*acre-inches*
0.00	*inches/acre*

Total harvests for the crop	
1	*harvests*

Annual Report - General Order No. R5-2007-0035
Reporting period 01/01/2023 to 12/31/2023.

FIELD 7 - 10/24/2022: Wheat, silage, soft dough

Field name: FIELD 7 Crop: Wheat, silage, soft dough Plant date: 10/24/2022

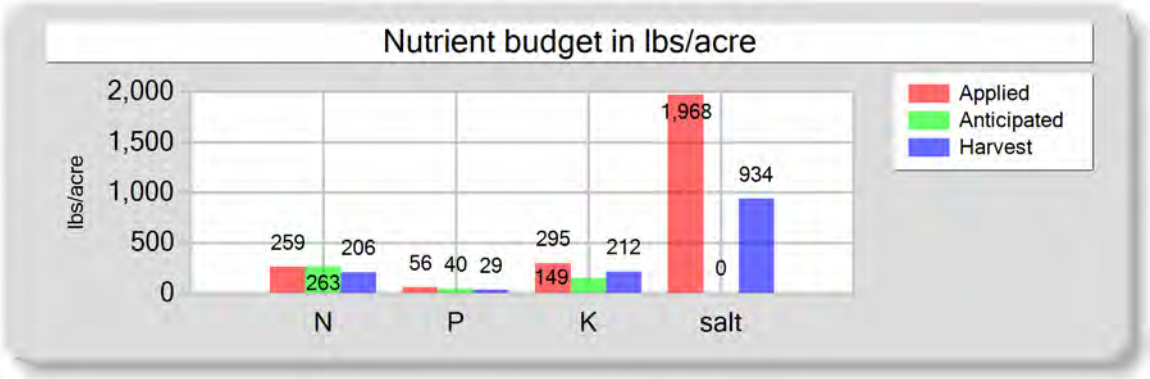

	Total N (lbs/acre)	Total P (lbs/acre)	Total K (lbs/acre)	Total salt (lbs/acre)
Existing soil nutrient content	0.00	0.00	0.00	0.00
Plowdown credit	0.00	0.00	0.00	0.00
Commercial fertilizer / Other	0.00	0.00	0.00	0.00
Dry manure	0.00	0.00	0.00	0.00
Process wastewater	250.62	55.53	294.71	1,916.93
Fresh water	1.75	0.00	0.00	50.74
Atmospheric deposition	7.00	0.00	0.00	0.00
Total nutrients applied	259.37	55.53	294.71	1,967.66
Anticipated crop nutrient removal	262.80	39.60	149.40	0.00
Actual crop nutrient removal	205.95	29.42	211.83	934.41
Nutrient balance	53.42	26.11	82.88	1,033.25
Applied to removed ratio	1.26	1.89	1.39	2.11

Fresh water applied	
7,966,500.00	*gallons*
293.38	*acre-inches*
7.72	*inches/acre*

Process wastewater applied	
5,265,000.00	*gallons*
193.89	*acre-inches*
5.10	*inches/acre*

Total harvests for the crop	
1	*harvests*

Annual Report - General Order No. R5-2007-0035
Reporting period 01/01/2023 to 12/31/2023.

FIELD 7 - 05/25/2023: Corn, silage

Field name: FIELD 7 Crop: Corn, silage Plant date: 05/25/2023

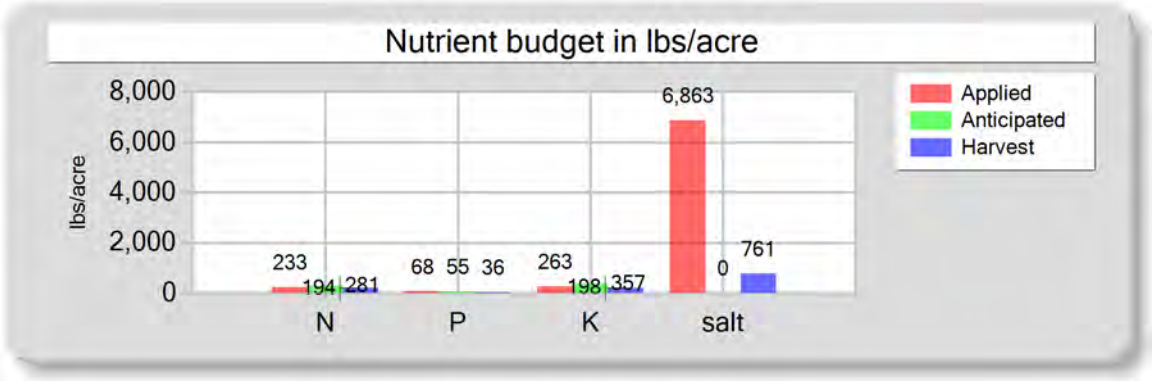

	Total N (lbs/acre)	Total P (lbs/acre)	Total K (lbs/acre)	Total salt (lbs/acre)
Existing soil nutrient content	0.00	0.00	0.00	0.00
Plowdown credit	0.00	0.00	0.00	0.00
Commercial fertilizer / Other	0.00	0.00	0.00	0.00
Dry manure	216.92	68.14	263.48	6,598.45
Process wastewater	0.00	0.00	0.00	0.00
Fresh water	9.12	0.00	0.00	264.45
Atmospheric deposition	7.00	0.00	0.00	0.00
Total nutrients applied	233.04	68.14	263.48	6,862.90
Anticipated crop nutrient removal	281.30	55.10	356.70	0.00
Actual crop nutrient removal	193.73	36.04	198.23	760.58
Nutrient balance	39.31	32.10	65.25	6,102.32
Applied to removed ratio	1.20	1.89	1.33	9.02

Fresh water applied	
41,524,500.00	*gallons*
1,529.21	*acre-inches*
40.24	*inches/acre*

Process wastewater applied	
0.00	*gallons*
0.00	*acre-inches*
0.00	*inches/acre*

Total harvests for the crop	
1	*harvests*

Annual Report - General Order No. R5-2007-0035
Reporting period 01/01/2023 to 12/31/2023.

FIELD 8 - 10/24/2022: Wheat, silage, soft dough

Field name: FIELD 8 Crop: Wheat, silage, soft dough Plant date: 10/24/2022

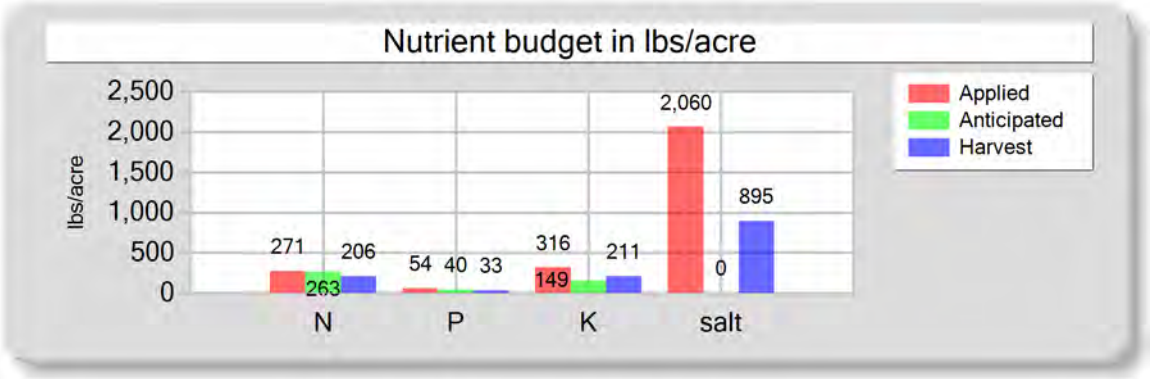

	Total N (lbs/acre)	Total P (lbs/acre)	Total K (lbs/acre)	Total salt (lbs/acre)
Existing soil nutrient content	0.00	0.00	0.00	0.00
Plowdown credit	0.00	0.00	0.00	0.00
Commercial fertilizer / Other	0.00	0.00	0.00	0.00
Dry manure	0.00	0.00	0.00	0.00
Process wastewater	262.54	54.40	316.10	2,010.63
Fresh water	1.71	0.00	0.00	49.63
Atmospheric deposition	7.00	0.00	0.00	0.00
Total nutrients applied	271.25	54.40	316.10	2,060.26
Anticipated crop nutrient removal	262.80	39.60	149.40	0.00
Actual crop nutrient removal	205.91	32.95	211.40	894.85
Nutrient balance	65.34	21.45	104.70	1,165.41
Applied to removed ratio	1.32	1.65	1.50	2.30

Fresh water applied	
2,256,000.00	*gallons*
83.08	*acre-inches*
7.55	*inches/acre*

Process wastewater applied	
1,296,000.00	*gallons*
47.73	*acre-inches*
4.34	*inches/acre*

Total harvests for the crop	
1	*harvests*

Annual Report - General Order No. R5-2007-0035
Reporting period 01/01/2023 to 12/31/2023.

FIELD 8 - 05/23/2023: Corn, silage

Field name: FIELD 8 Crop: Corn, silage Plant date: 05/23/2023

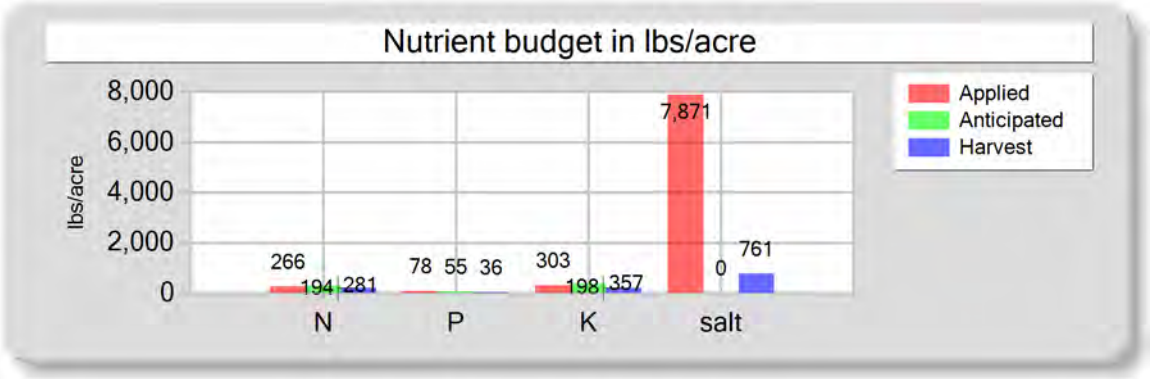

	Total N (lbs/acre)	Total P (lbs/acre)	Total K (lbs/acre)	Total salt (lbs/acre)
Existing soil nutrient content	0.00	0.00	0.00	0.00
Plowdown credit	0.00	0.00	0.00	0.00
Commercial fertilizer / Other	0.00	0.00	0.00	0.00
Dry manure	249.79	78.47	303.41	7,598.21
Process wastewater	0.00	0.00	0.00	0.00
Fresh water	9.41	0.00	0.00	272.98
Atmospheric deposition	7.00	0.00	0.00	0.00
Total nutrients applied	266.20	78.47	303.41	7,871.19
Anticipated crop nutrient removal	281.30	55.10	356.70	0.00
Actual crop nutrient removal	193.89	36.07	198.40	761.22
Nutrient balance	72.31	42.39	105.01	7,109.97
Applied to removed ratio	1.37	2.18	1.53	10.34

Fresh water applied	
12,408,000.00	*gallons*
456.94	*acre-inches*
41.54	*inches/acre*

Process wastewater applied	
0.00	*gallons*
0.00	*acre-inches*
0.00	*inches/acre*

Total harvests for the crop	
1	*harvests*

Annual Report - General Order No. R5-2007-0035
Reporting period 01/01/2023 to 12/31/2023.

FIELD 9 - 10/20/2022: Winter Forage (Triticale)

Field name: FIELD 9 Crop: Winter Forage (Triticale) Plant date: 10/20/2022

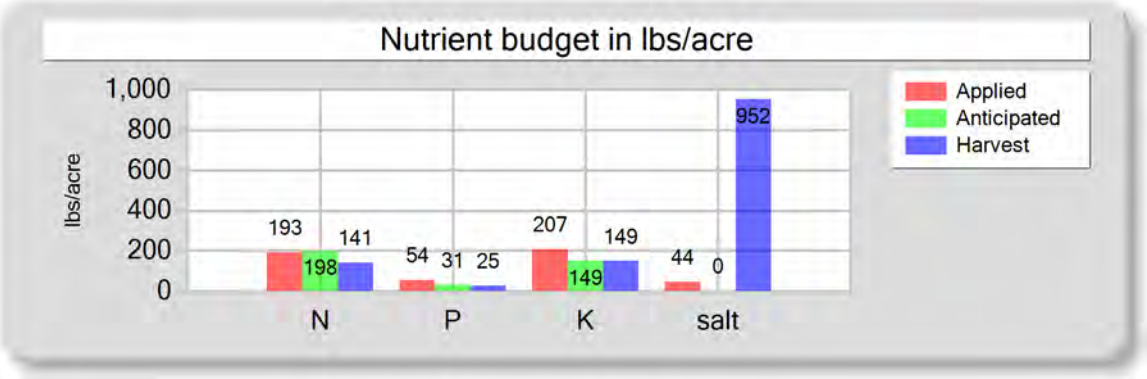

	Total N (lbs/acre)	Total P (lbs/acre)	Total K (lbs/acre)	Total salt (lbs/acre)
Existing soil nutrient content	0.00	0.00	0.00	0.00
Plowdown credit	0.00	0.00	0.00	0.00
Commercial fertilizer / Other	0.00	0.00	0.00	0.00
Dry manure	184.05	53.51	206.75	0.00
Process wastewater	0.00	0.00	0.00	0.00
Fresh water	1.53	0.00	0.00	44.36
Atmospheric deposition	7.00	0.00	0.00	0.00
Total nutrients applied	192.58	53.51	206.75	44.36
Anticipated crop nutrient removal	198.00	30.60	149.40	0.00
Actual crop nutrient removal	141.12	25.20	148.68	951.50
Nutrient balance	51.46	28.31	58.07	-907.14
Applied to removed ratio	1.36	2.12	1.39	0.05

Fresh water applied	
2,749,500.00	*gallons*
101.25	*acre-inches*
6.75	*inches/acre*

Process wastewater applied	
0.00	*gallons*
0.00	*acre-inches*
0.00	*inches/acre*

Total harvests for the crop	
1	*harvests*

Annual Report - General Order No. R5-2007-0035
Reporting period 01/01/2023 to 12/31/2023.

FIELD 9 - 05/23/2023: Corn, silage

Field name: FIELD 9 Crop: Corn, silage Plant date: 05/23/2023

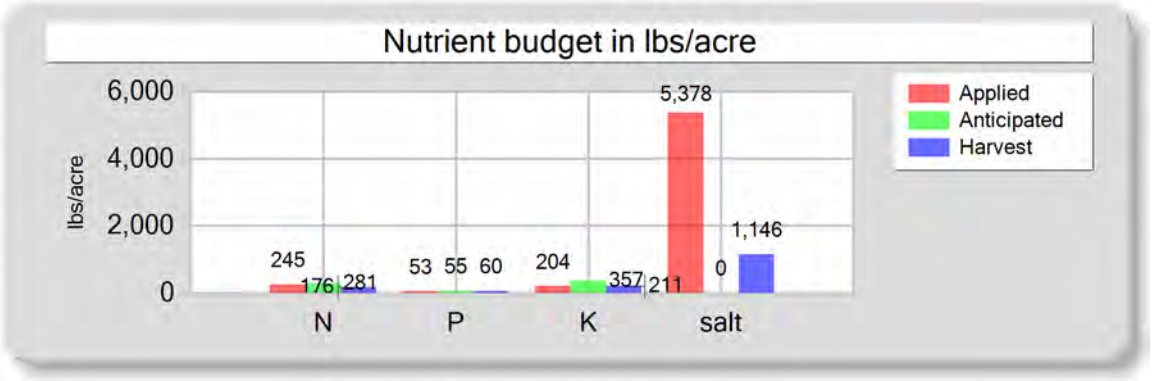

	Total N (lbs/acre)	Total P (lbs/acre)	Total K (lbs/acre)	Total salt (lbs/acre)
Existing soil nutrient content	0.00	0.00	0.00	0.00
Plowdown credit	0.00	0.00	0.00	0.00
Commercial fertilizer / Other	60.81	0.00	0.00	0.00
Dry manure	167.91	52.75	203.96	5,107.69
Process wastewater	0.00	0.00	0.00	0.00
Fresh water	9.33	0.00	0.00	270.71
Atmospheric deposition	7.00	0.00	0.00	0.00
Total nutrients applied	245.06	52.75	203.96	5,378.39
Anticipated crop nutrient removal	281.30	55.10	356.70	0.00
Actual crop nutrient removal	175.93	60.32	211.12	1,146.08
Nutrient balance	69.12	-7.57	-7.16	4,232.31
Applied to removed ratio	1.39	0.87	0.97	4.69

Fresh water applied	
16,779,000.00	*gallons*
617.91	*acre-inches*
41.19	*inches/acre*

Process wastewater applied	
0.00	*gallons*
0.00	*acre-inches*
0.00	*inches/acre*

Total harvests for the crop	
1	*harvests*

Annual Report - General Order No. R5-2007-0035
Reporting period 01/01/2023 to 12/31/2023.

FIELD H1A - 04/10/2023: Corn, silage

Field name: FIELD H1A Crop: Corn, silage Plant date: 04/10/2023

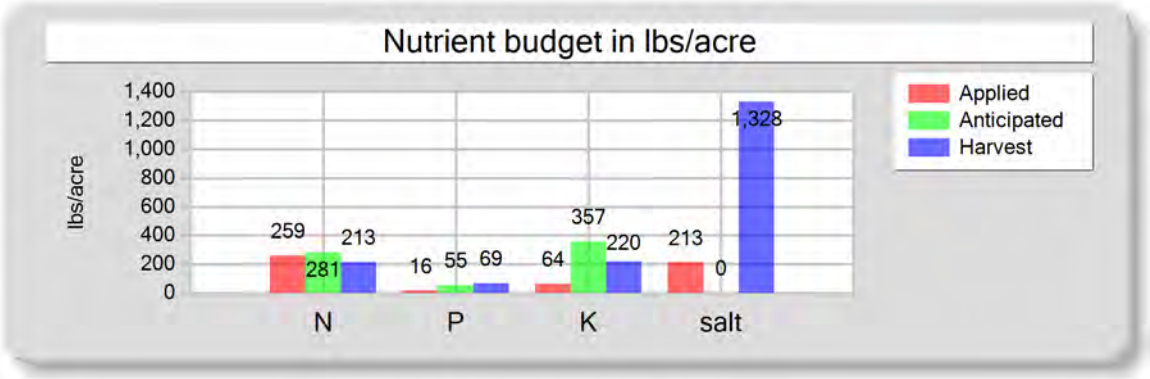

	Total N (lbs/acre)	Total P (lbs/acre)	Total K (lbs/acre)	Total salt (lbs/acre)
Existing soil nutrient content	0.00	0.00	0.00	0.00
Plowdown credit	0.00	0.00	0.00	0.00
Commercial fertilizer / Other	60.81	0.00	0.00	0.00
Dry manure	176.42	16.33	63.71	0.00
Process wastewater	0.00	0.00	0.00	0.00
Fresh water	7.34	0.00	0.00	212.72
Atmospheric deposition	14.00	0.00	0.00	0.00
Total nutrients applied	258.56	16.33	63.71	212.72
Anticipated crop nutrient removal	281.30	55.10	356.70	0.00
Actual crop nutrient removal	213.28	68.80	220.16	1,327.84
Nutrient balance	45.28	-52.47	-156.45	-1,115.12
Applied to removed ratio	1.21	0.24	0.29	0.16

Fresh water applied	
26,369,280.00	*gallons*
971.09	*acre-inches*
32.37	*inches/acre*

Process wastewater applied	
0.00	*gallons*
0.00	*acre-inches*
0.00	*inches/acre*

Total harvests for the crop	
1	*harvests*

Annual Report - General Order No. R5-2007-0035
Reporting period 01/01/2023 to 12/31/2023.

FIELD H1B - 10/25/2017: Alfalfa, hay

Field name: FIELD H1B Crop: Alfalfa, hay Plant date: 10/25/2017

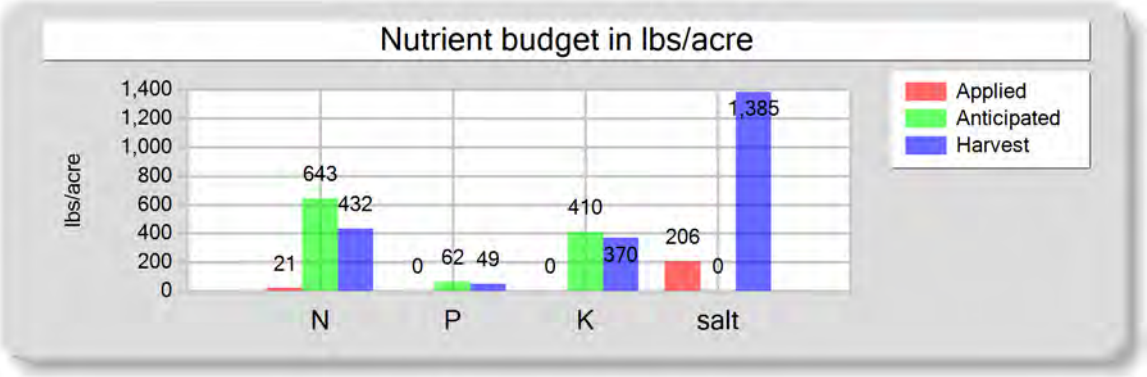

	Total N (lbs/acre)	Total P (lbs/acre)	Total K (lbs/acre)	Total salt (lbs/acre)
Existing soil nutrient content	0.00	0.00	0.00	0.00
Plowdown credit	0.00	0.00	0.00	0.00
Commercial fertilizer / Other	0.00	0.00	0.00	0.00
Dry manure	0.00	0.00	0.00	0.00
Process wastewater	0.00	0.00	0.00	0.00
Fresh water	7.11	0.00	0.00	206.16
Atmospheric deposition	14.00	0.00	0.00	0.00
Total nutrients applied	21.11	0.00	0.00	206.16
Anticipated crop nutrient removal	642.60	62.10	409.50	0.00
Actual crop nutrient removal	432.49	49.47	370.25	1,384.63
Nutrient balance	-411.38	-49.47	-370.25	-1,178.47
Applied to removed ratio	0.05	0.00	0.00	0.15

Fresh water applied	
33,223,680.00	*gallons*
1,223.52	*acre-inches*
31.37	*inches/acre*

Process wastewater applied	
0.00	*gallons*
0.00	*acre-inches*
0.00	*inches/acre*

Total harvests for the crop	
1	*harvests*

Annual Report - General Order No. R5-2007-0035
Reporting period 01/01/2023 to 12/31/2023.

FIELD H2 - 11/22/2022: Oats, silage-soft dough

Field name: FIELD H2 Crop: Oats, silage-soft dough Plant date: 11/22/2022

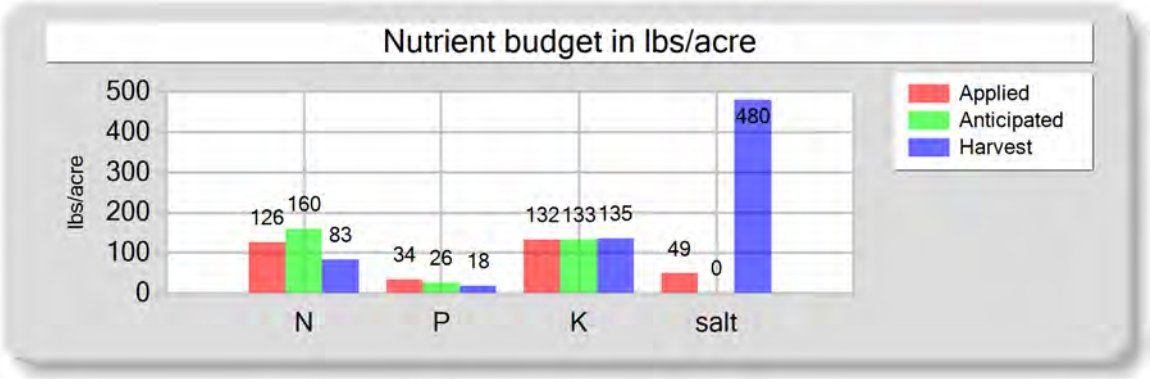

	Total N (lbs/acre)	Total P (lbs/acre)	Total K (lbs/acre)	Total salt (lbs/acre)
Existing soil nutrient content	0.00	0.00	0.00	0.00
Plowdown credit	0.00	0.00	0.00	0.00
Commercial fertilizer / Other	0.00	0.00	0.00	0.00
Dry manure	117.64	34.20	132.15	0.00
Process wastewater	0.00	0.00	0.00	0.00
Fresh water	1.68	0.00	0.00	48.79
Atmospheric deposition	7.00	0.00	0.00	0.00
Total nutrients applied	126.33	34.20	132.15	48.79
Anticipated crop nutrient removal	160.00	25.60	132.80	0.00
Actual crop nutrient removal	82.50	18.15	135.30	480.48
Nutrient balance	43.83	16.05	-3.15	-431.69
Applied to removed ratio	1.53	1.88	0.98	0.10

Fresh water applied	
806,400.00	*gallons*
29.70	*acre-inches*
7.42	*inches/acre*

Process wastewater applied	
0.00	*gallons*
0.00	*acre-inches*
0.00	*inches/acre*

Total harvests for the crop	
1	*harvests*

Annual Report - General Order No. R5-2007-0035
Reporting period 01/01/2023 to 12/31/2023.

FIELD H2 - 05/15/2023: Corn, silage

Field name: FIELD H2 Crop: Corn, silage Plant date: 05/15/2023

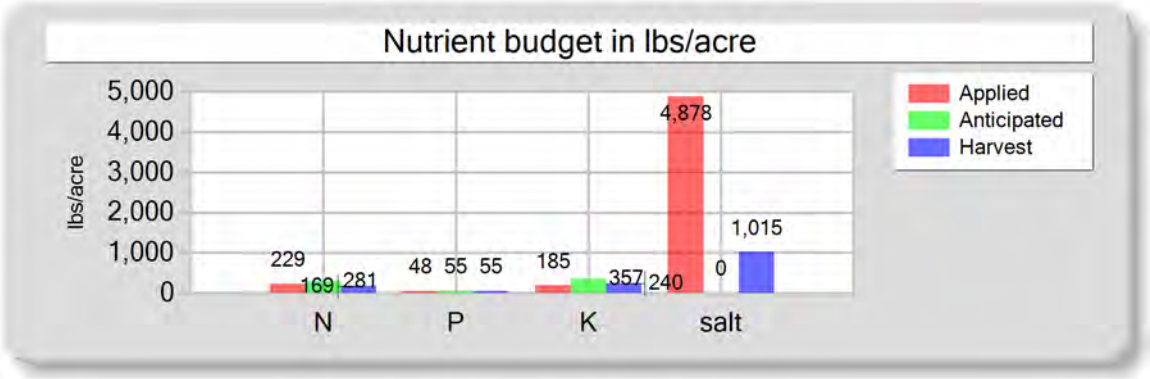

	Total N (lbs/acre)	Total P (lbs/acre)	Total K (lbs/acre)	Total salt (lbs/acre)
Existing soil nutrient content	0.00	0.00	0.00	0.00
Plowdown credit	0.00	0.00	0.00	0.00
Commercial fertilizer / Other	60.81	0.00	0.00	0.00
Dry manure	152.65	47.95	185.41	4,643.35
Process wastewater	0.00	0.00	0.00	0.00
Fresh water	8.08	0.00	0.00	234.18
Atmospheric deposition	7.00	0.00	0.00	0.00
Total nutrients applied	228.53	47.95	185.41	4,877.54
Anticipated crop nutrient removal	281.30	55.10	356.70	0.00
Actual crop nutrient removal	168.95	54.50	239.80	1,015.34
Nutrient balance	59.58	-6.55	-54.39	3,862.20
Applied to removed ratio	1.35	0.88	0.77	4.80

Fresh water applied	
3,870,720.00	*gallons*
142.55	*acre-inches*
35.64	*inches/acre*

Process wastewater applied	
0.00	*gallons*
0.00	*acre-inches*
0.00	*inches/acre*

Total harvests for the crop	
1	*harvests*

Annual Report - General Order No. R5-2007-0035
Reporting period 01/01/2023 to 12/31/2023.

NUTRIENT ANALYSES

A. MANURE ANALYSES

Corral Solids

Sample and source description: Corral Solids
Sample date: 09/29/2022 Material type: Corral solids Source of analysis: Lab analysis Method of reporting: Dry-weight
Moisture: 30.9 %

	Total N (mg/kg)	Total P (mg/kg)	Total K (mg/kg)	Calcium (mg/kg)	Magnesium (mg/kg)	Sodium (mg/kg)	Sulfur (mg/kg)	Chloride (mg/kg)	Total salt (mg/kg)	TFS (%)
Value	22,700.00	6,600.00	25,500.00							
DL	100.00	100.00	100.00							

Corral Solids

Sample and source description: Corral Solids
Sample date: 04/17/2023 Material type: Corral solids Source of analysis: Lab analysis Method of reporting: Dry-weight
Moisture: 33.4 %

	Total N (mg/kg)	Total P (mg/kg)	Total K (mg/kg)	Calcium (mg/kg)	Magnesium (mg/kg)	Sodium (mg/kg)	Sulfur (mg/kg)	Chloride (mg/kg)	Total salt (mg/kg)	TFS (%)
Value	19,100.00	6,000.00	23,200.00	22,500.00	10,300.00	4,700.00	6,600.00	5,000.00		58.10
DL	100.00	100.00	100.00	100.00	100.00	100.00	100.00	50.00		0.01

Drying Solids

Sample and source description: Drying Solids
Sample date: 04/17/2023 Material type: Separator solids Source of analysis: Lab analysis Method of reporting: Dry-weight
Moisture: 28.8 %

	Total N (mg/kg)	Total P (mg/kg)	Total K (mg/kg)	Calcium (mg/kg)	Magnesium (mg/kg)	Sodium (mg/kg)	Sulfur (mg/kg)	Chloride (mg/kg)	Total salt (mg/kg)	TFS (%)
Value	15,600.00	2,600.00	5,900.00							0.00
DL	100.00	100.00	100.00							0.01

Annual Report - General Order No. R5-2007-0035
Reporting period 01/01/2023 to 12/31/2023.

Separated Solids

Sample and source description: Separated Solids
Sample date: 04/17/2023 Material type: Separator solids Source of analysis: Lab analysis Method of reporting: Dry-weight
Moisture: 50.3 %

	Total N (mg/kg)	Total P (mg/kg)	Total K (mg/kg)	Calcium (mg/kg)	Magnesium (mg/kg)	Sodium (mg/kg)	Sulfur (mg/kg)	Chloride (mg/kg)	Total salt (mg/kg)	TFS (%)
Value	10,800.00	1,000.00	3,900.00							0.00
DL	100.00	100.00	100.00							0.01

Corral Solids

Sample and source description: Corral Solids
Sample date: 10/10/2023 Material type: Corral solids Source of analysis: Lab analysis Method of reporting: Dry-weight
Moisture: 15.4 %

	Total N (mg/kg)	Total P (mg/kg)	Total K (mg/kg)	Calcium (mg/kg)	Magnesium (mg/kg)	Sodium (mg/kg)	Sulfur (mg/kg)	Chloride (mg/kg)	Total salt (mg/kg)	TFS (%)
Value	15,500.00	3,800.00	16,900.00							0.00
DL	100.00	100.00	100.00							0.01

Separated Solids

Sample and source description: Separated Solids
Sample date: 10/10/2023 Material type: Separator solids Source of analysis: Lab analysis Method of reporting: Dry-weight
Moisture: 36.5 %

	Total N (mg/kg)	Total P (mg/kg)	Total K (mg/kg)	Calcium (mg/kg)	Magnesium (mg/kg)	Sodium (mg/kg)	Sulfur (mg/kg)	Chloride (mg/kg)	Total salt (mg/kg)	TFS (%)
Value	22,200.00	5,900.00	29,800.00							0.00
DL	100.00	100.00	100.00							0.01

B. PROCESS WASTEWATER ANALYSES

Annual Report - General Order No. R5-2007-0035
Reporting period 01/01/2023 to 12/31/2023.

WW4thQ 2022

Sample and source description: WW4thQ 2022

Sample date: 10/17/2022 Material type: Process wastewater Source of analysis: Lab analysis pH: 7.40

	Kjeldahl-N (mg/L)	NH4-N (mg/L)	NH3-N (mg/L)	Nitrate-N (mg/L)	Total P (mg/L)	Total K (mg/L)	Calcium (mg/L)	Magnes. (mg/L)	Sodium (mg/L)	Bicarb. (mg/L)	Carb. (mg/L)	Sulfate (mg/L)	Chloride (mg/L)	EC (µmhos/cm)	TDS (mg/L)
Value	190.00	57.40	0.00	0.80	50.80	216.00								3,220.00	1,450
DL	1.00	0.50	0.50	0.10	0.10	0.50								10.00	10

WWQ1 SE Corner WWS #2

Sample and source description: WWQ1 SE Corner WWS #2

Sample date: 02/14/2023 Material type: Process wastewater Source of analysis: Lab analysis pH: 7.40

	Kjeldahl-N (mg/L)	NH4-N (mg/L)	NH3-N (mg/L)	Nitrate-N (mg/L)	Total P (mg/L)	Total K (mg/L)	Calcium (mg/L)	Magnes. (mg/L)	Sodium (mg/L)	Bicarb. (mg/L)	Carb. (mg/L)	Sulfate (mg/L)	Chloride (mg/L)	EC (µmhos/cm)	TDS (mg/L)
Value	300.00	179.00	0.00	0.60	63.10	364.00								4,930.00	2,300
DL	1.00	0.50	0.50	0.10	0.10	0.50								10.00	10

WWQ2 SE Corner WWS #2

Sample and source description: WWQ2 SE Corner WWS #2

Sample date: 06/06/2023 Material type: Process wastewater Source of analysis: Lab analysis pH: 7.40

	Kjeldahl-N (mg/L)	NH4-N (mg/L)	NH3-N (mg/L)	Nitrate-N (mg/L)	Total P (mg/L)	Total K (mg/L)	Calcium (mg/L)	Magnes. (mg/L)	Sodium (mg/L)	Bicarb. (mg/L)	Carb. (mg/L)	Sulfate (mg/L)	Chloride (mg/L)	EC (µmhos/cm)	TDS (mg/L)
Value	166.00	138.00	0.00	0.30	32.00	194.00								2,970.00	1,280
DL	1.00	0.50	0.50	0.10	0.10	0.50								10.00	10

WWQ3 SE Corner WWS #2

Sample and source description: WWQ3 SE Corner WWS #2

Sample date: 09/08/2023 Material type: Process wastewater Source of analysis: Lab analysis pH: 8.40

	Kjeldahl-N (mg/L)	NH4-N (mg/L)	NH3-N (mg/L)	Nitrate-N (mg/L)	Total P (mg/L)	Total K (mg/L)	Calcium (mg/L)	Magnes. (mg/L)	Sodium (mg/L)	Bicarb. (mg/L)	Carb. (mg/L)	Sulfate (mg/L)	Chloride (mg/L)	EC (µmhos/cm)	TDS (mg/L)
Value	332.00	282.00	0.00	1.30	45.80	405.00	114.00	83.00	39.00	1,960.00	0.00	132.00	150.00	4,620.00	2,130
DL	1.00	0.50	0.50	0.10	0.50	0.10	0.10	0.10	1.00	5.00	1.00	0.50	0.20	10.00	10

Annual Report - General Order No. R5-2007-0035
Reporting period 01/01/2023 to 12/31/2023.

Slurry

Sample and source description: Slurry

Sample date: 09/15/2023 Material type: Process wastewater sludge Source of analysis: Lab analysis pH: 7.20

	Kjeldahl-N (mg/L)	NH4-N (mg/L)	NH3-N (mg/L)	Nitrate-N (mg/L)	Total P (mg/L)	Total K (mg/L)	Calcium (mg/L)	Magnes. (mg/L)	Sodium (mg/L)	Bicarb. (mg/L)	Carb. (mg/L)	Sulfate (mg/L)	Chloride (mg/L)	EC (µmhos/cm)	TDS (mg/L)
Value	1,390.00	149.00	0.00	0.90	173.00	377.00								1,870.00	1,000
DL	1.00	0.50	0.50	0.10	0.10	0.50								10.00	10

WWQ4 SE Corner WWS #1

Sample and source description: WWQ4 SE Corner WWS #1

Sample date: 10/25/2023 Material type: Process wastewater Source of analysis: Lab analysis pH: 7.60

	Kjeldahl-N (mg/L)	NH4-N (mg/L)	NH3-N (mg/L)	Nitrate-N (mg/L)	Total P (mg/L)	Total K (mg/L)	Calcium (mg/L)	Magnes. (mg/L)	Sodium (mg/L)	Bicarb. (mg/L)	Carb. (mg/L)	Sulfate (mg/L)	Chloride (mg/L)	EC (µmhos/cm)	TDS (mg/L)
Value	277.00	178.00	0.00	0.30	61.50	262.00								3,450.00	1,820
DL	1.00	0.50	0.50	0.10	0.10	0.50								10.00	10

C. FRESH WATER ANALYSES

IW Dairy Well

IW Dairy

Sample description: IW Dairy

Sample date: 09/13/2023 Source of analysis: Lab analysis

	Total N (mg/L)	NH4-N (mg/L)	Nitrate-N (mg/L)	Calcium (mg/L)	Magnesium (mg/L)	Sodium (mg/L)	Bicarbonate (mg/L)	Carbonate (mg/L)	Sulfate (mg/L)	Chloride (mg/L)	EC (µmhos/cm)	TDS (mg/L)
Value	1.00	0.00	0.10	6.40	1.80	74.00	104.00	0.00	4.40	54.50	382.00	212
DL	1.00	0.50	0.10	0.10	0.10	1.00	5.00	1.00	0.50	0.20	10.00	10

IW Tuff Well

Annual Report - General Order No. R5-2007-0035
Reporting period 01/01/2023 to 12/31/2023.

IW Tuff Well

IW Tuff

Sample description: IW Tuff

Sample date: 09/15/2023 Source of analysis: Lab analysis

	Total N (mg/L)	NH4-N (mg/L)	Nitrate-N (mg/L)	Calcium (mg/L)	Magnesium (mg/L)	Sodium (mg/L)	Bicarbonate (mg/L)	Carbonate (mg/L)	Sulfate (mg/L)	Chloride (mg/L)	EC (µmhos/cm)	TDS (mg/L)
Value	8.30	0.00	8.30	172.00	47.90	118.00	232.00	0.00	20.80	406.00	1,810.00	1,320
DL	1.00	0.50	0.10	0.10	0.10	1.00	5.00	1.00	0.50	0.20	10.00	10

IW Vineyard Well

IW Vineyard

Sample description: IW Vineyard

Sample date: 09/15/2023 Source of analysis: Lab analysis

	Total N (mg/L)	NH4-N (mg/L)	Nitrate-N (mg/L)	Calcium (mg/L)	Magnesium (mg/L)	Sodium (mg/L)	Bicarbonate (mg/L)	Carbonate (mg/L)	Sulfate (mg/L)	Chloride (mg/L)	EC (µmhos/cm)	TDS (mg/L)
Value	1.00	0.00	0.10	139.00	32.30	64.00	285.00	0.00	25.00	130.00	1,140.00	750
DL	1.00	0.50	0.10	0.10	0.10	1.00	5.00	1.00	0.50	0.20	10.00	10

MID Canal

MID Canal

Sample description: MID Canal

Sample date: 09/15/2023 Source of analysis: Lab analysis

	Total N (mg/L)	NH4-N (mg/L)	Nitrate-N (mg/L)	Calcium (mg/L)	Magnesium (mg/L)	Sodium (mg/L)	Bicarbonate (mg/L)	Carbonate (mg/L)	Sulfate (mg/L)	Chloride (mg/L)	EC (µmhos/cm)	TDS (mg/L)
Value	1.00	0.00	0.10								27.90	29
DL	1.00	0.50	0.10								10.00	10

D. SOIL ANALYSES

Annual Report - General Order No. R5-2007-0035
Reporting period 01/01/2023 to 12/31/2023.

No soil analyses entered.

E. PLANT TISSUE ANALYSES

FIELD 1 - 11/03/2022: Wheat, silage, soft dough

Wheat Silage

Sample and source description: Wheat Silage

Sample date: 05/15/2023 Source of analysis: Lab analysis Method of reporting: As-is

Moisture: 65.5 %

	Total N (mg/kg)	Total P (mg/kg)	Total K (mg/kg)	Total salt (mg/kg)	TFS (%)
Value	5,100.00	800.00	5,400.00		7.50
DL	100.00	100.00	100.00		0.01

FIELD 1 - 06/02/2023: Corn, silage

Corn Silage

Sample and source description: Corn Silage

Sample date: 09/28/2023 Source of analysis: Lab analysis Method of reporting: As-is

Moisture: 58.9 %

	Total N (mg/kg)	Total P (mg/kg)	Total K (mg/kg)	Total salt (mg/kg)	TFS (%)
Value	5,300.00	1,000.00	4,500.00		4.80
DL	100.00	100.00	100.00		0.01

FIELD 10 - 10/21/2022: Winter Forage (Triticale)

Annual Report - General Order No. R5-2007-0035
Reporting period 01/01/2023 to 12/31/2023.

FIELD 10 - 10/21/2022: Winter Forage (Triticale)

Triticale

Sample and source description: Triticale
Sample date: 04/27/2023 Source of analysis: Lab analysis Method of reporting: As-is
Moisture: 60.6 %

	Total N (mg/kg)	Total P (mg/kg)	Total K (mg/kg)	Total salt (mg/kg)	TFS (%)
Value	5,100.00	900.00	5,500.00		8.80
DL	100.00	100.00	100.00		0.01

FIELD 10 - 05/27/2023: Corn, silage

Corn Silage

Sample and source description: Corn Silage
Sample date: 09/11/2023 Source of analysis: Lab analysis Method of reporting: As-is
Moisture: 65.6 %

	Total N (mg/kg)	Total P (mg/kg)	Total K (mg/kg)	Total salt (mg/kg)	TFS (%)
Value	2,900.00	1,100.00	3,700.00		5.60
DL	100.00	100.00	100.00		0.01

FIELD 2 - 11/05/2022: Alfalfa, hay

Alfalfa

Sample and source description: Alfalfa
Sample date: 10/10/2023 Source of analysis: Lab analysis Method of reporting: As-is
Moisture: 7.8 %

	Total N (mg/kg)	Total P (mg/kg)	Total K (mg/kg)	Total salt (mg/kg)	TFS (%)
Value	34,700.00	2,300.00	28,100.00		10.80
DL	100.00	100.00	100.00		0.01

Annual Report - General Order No. R5-2007-0035
Reporting period 01/01/2023 to 12/31/2023.

FIELD 3 - 10/18/2022: Wheat, silage, soft dough

Wheat Silage

Sample and source description: Wheat Silage
Sample date: 04/27/2023 Source of analysis: Lab analysis Method of reporting: As-is
Moisture: 58.1 %

	Total N (mg/kg)	Total P (mg/kg)	Total K (mg/kg)	Total salt (mg/kg)	TFS (%)
Value	7,300.00	1,100.00	7,500.00		9.80
DL	100.00	100.00	100.00		0.01

FIELD 3 - 05/18/2023: Corn, silage

Corn Silage

Sample and source description: Corn Silage
Sample date: 09/11/2023 Source of analysis: Lab analysis Method of reporting: As-is
Moisture: 62.8 %

	Total N (mg/kg)	Total P (mg/kg)	Total K (mg/kg)	Total salt (mg/kg)	TFS (%)
Value	4,700.00	900.00	4,700.00		5.20
DL	100.00	100.00	100.00		0.01

FIELD 4 - 10/18/2022: Wheat, silage, soft dough

Wheat Silage

Sample and source description: Wheat Silage
Sample date: 04/27/2023 Source of analysis: Lab analysis Method of reporting: As-is
Moisture: 56.6 %

	Total N (mg/kg)	Total P (mg/kg)	Total K (mg/kg)	Total salt (mg/kg)	TFS (%)
Value	7,200.00	1,200.00	7,100.00		8.90
DL	100.00	100.00	100.00		0.01

Annual Report - General Order No. R5-2007-0035
Reporting period 01/01/2023 to 12/31/2023.

FIELD 4 - 05/18/2023: Corn, silage

Corn Silage

Sample and source description: Corn Silage
Sample date: 09/11/2023 Source of analysis: Lab analysis Method of reporting: As-is
Moisture: 64.0 %

	Total N (mg/kg)	Total P (mg/kg)	Total K (mg/kg)	Total salt (mg/kg)	TFS (%)
Value	3,300.00	900.00	4,100.00		5.00
DL	100.00	100.00	100.00		0.01

FIELD 5 - 11/21/2022: Wheat, silage, soft dough

Wheat Silage

Sample and source description: Wheat Silage
Sample date: 05/15/2023 Source of analysis: Lab analysis Method of reporting: As-is
Moisture: 66.0 %

	Total N (mg/kg)	Total P (mg/kg)	Total K (mg/kg)	Total salt (mg/kg)	TFS (%)
Value	4,600.00	700.00	4,600.00		7.40
DL	100.00	100.00	100.00		0.01

FIELD 5 - 06/23/2023: Corn, silage

Corn Silage

Sample and source description: Corn Silage
Sample date: 10/10/2023 Source of analysis: Lab analysis Method of reporting: As-is
Moisture: 60.7 %

	Total N (mg/kg)	Total P (mg/kg)	Total K (mg/kg)	Total salt (mg/kg)	TFS (%)
Value	4,200.00	900.00	6,500.00		6.40
DL	100.00	100.00	100.00		0.01

Annual Report - General Order No. R5-2007-0035
Reporting period 01/01/2023 to 12/31/2023.

FIELD 6 - 11/04/2022: Alfalfa, hay

Alfalfa

Sample and source description: Alfalfa
Sample date: 10/10/2023 Source of analysis: Lab analysis Method of reporting: As-is
Moisture: 7.6 %

	Total N (mg/kg)	Total P (mg/kg)	Total K (mg/kg)	Total salt (mg/kg)	TFS (%)
Value	29,100.00	3,200.00	30,300.00		10.40
DL	100.00	100.00	100.00		0.01

FIELD 7 - 10/24/2022: Wheat, silage, soft dough

Wheat Silage

Sample and source description: Wheat Silage
Sample date: 04/27/2023 Source of analysis: Lab analysis Method of reporting: As-is
Moisture: 60.3 %

	Total N (mg/kg)	Total P (mg/kg)	Total K (mg/kg)	Total salt (mg/kg)	TFS (%)
Value	7,000.00	1,000.00	7,200.00		8.00
DL	100.00	100.00	100.00		0.01

FIELD 7 - 05/25/2023: Corn, silage

Corn Silage

Sample and source description: Corn Silage
Sample date: 09/11/2023 Source of analysis: Lab analysis Method of reporting: As-is
Moisture: 63.3 %

	Total N (mg/kg)	Total P (mg/kg)	Total K (mg/kg)	Total salt (mg/kg)	TFS (%)
Value	4,300.00	800.00	4,400.00		4.60
DL	100.00	100.00	100.00		0.01

Annual Report - General Order No. R5-2007-0035
Reporting period 01/01/2023 to 12/31/2023.

FIELD 8 - 10/24/2022: Wheat, silage, soft dough

Wheat Silage

Sample and source description: Wheat Silage
Sample date: 04/27/2023 Source of analysis: Lab analysis Method of reporting: As-is
Moisture: 62.1 %

	Total N (mg/kg)	Total P (mg/kg)	Total K (mg/kg)	Total salt (mg/kg)	TFS (%)
Value	7,500.00	1,200.00	7,700.00		8.60
DL	100.00	100.00	100.00		0.01

FIELD 8 - 05/23/2023: Corn, silage

Corn Silage

Sample and source description: Corn Silage
Sample date: 09/11/2023 Source of analysis: Lab analysis Method of reporting: As-is
Moisture: 68.2 %

	Total N (mg/kg)	Total P (mg/kg)	Total K (mg/kg)	Total salt (mg/kg)	TFS (%)
Value	2,800.00	600.00	4,400.00		4.50
DL	100.00	100.00	100.00		0.01

FIELD 9 - 10/20/2022: Winter Forage (Triticale)

Triticale

Sample and source description: Triticale
Sample date: 04/27/2023 Source of analysis: Lab analysis Method of reporting: As-is
Moisture: 56.6 %

	Total N (mg/kg)	Total P (mg/kg)	Total K (mg/kg)	Total salt (mg/kg)	TFS (%)
Value	5,600.00	1,000.00	5,900.00		8.70
DL	100.00	100.00	100.00		0.01

Annual Report - General Order No. R5-2007-0035
Reporting period 01/01/2023 to 12/31/2023.

FIELD 9 - 05/23/2023: Corn, silage

Corn Silage

Sample and source description: Corn Silage
Sample date: 09/11/2023 Source of analysis: Lab analysis Method of reporting: As-is
Moisture: 66.5 %

	Total N (mg/kg)	Total P (mg/kg)	Total K (mg/kg)	Total salt (mg/kg)	TFS (%)
Value	2,900.00	1,000.00	3,500.00		5.70
DL	100.00	100.00	100.00		0.01

FIELD H1A - 04/10/2023: Corn, silage

Corn Silage

Sample and source description: Corn Silage
Sample date: 08/04/2023 Source of analysis: Lab analysis Method of reporting: As-is
Moisture: 61.4 %

	Total N (mg/kg)	Total P (mg/kg)	Total K (mg/kg)	Total salt (mg/kg)	TFS (%)
Value	3,100.00	1,000.00	3,200.00		5.00
DL	100.00	100.00	100.00		0.01

FIELD H1B - 10/25/2017: Alfalfa, hay

Alfalfa

Sample and source description: Alfalfa
Sample date: 10/10/2023 Source of analysis: Lab analysis Method of reporting: As-is
Moisture: 7.7 %

	Total N (mg/kg)	Total P (mg/kg)	Total K (mg/kg)	Total salt (mg/kg)	TFS (%)
Value	27,100.00	3,100.00	23,200.00		9.40
DL	100.00	100.00	100.00		0.01

Annual Report - General Order No. R5-2007-0035
Reporting period 01/01/2023 to 12/31/2023.

FIELD H2 - 11/22/2022: Oats, silage-soft dough

Oat Silage

Sample and source description: Oat Silage
Sample date: 04/27/2023 Source of analysis: Lab analysis Method of reporting: As-is
Moisture: 63.6 %

	Total N (mg/kg)	Total P (mg/kg)	Total K (mg/kg)	Total salt (mg/kg)	TFS (%)
Value	5,000.00	1,100.00	8,200.00		8.00
DL	100.00	100.00	100.00		0.01

FIELD H2 - 05/15/2023: Corn, silage

Corn Silage

Sample and source description: Corn Silage
Sample date: 09/11/2023 Source of analysis: Lab analysis Method of reporting: As-is
Moisture: 65.5 %

	Total N (mg/kg)	Total P (mg/kg)	Total K (mg/kg)	Total salt (mg/kg)	TFS (%)
Value	3,100.00	1,000.00	4,400.00		5.40
DL	100.00	100.00	100.00		0.01

F. SUBSURFACE (TILE) DRAINAGE ANALYSES

No subsurface (tile) drainage analyses entered.

Annual Report - General Order No. R5-2007-0035
Reporting period 01/01/2023 to 12/31/2023.

NUTRIENT APPLICATIONS, POTENTIAL REMOVAL, AND BALANCE

A. SUMMARY OF NUTRIENT APPLICATIONS, POTENTIAL REMOVAL, AND BALANCE

	Total N (lbs)	Total P (lbs)	Total K (lbs)	Total salt (lbs)
Existing soil nutrient content	0.00	0.00	0.00	0.00
Plowdown credit	0.00	0.00	0.00	0.00
Commercial fertilizer / Other	6,567.48	0.00	0.00	0.00
Dry manure	44,328.97	12,389.64	47,909.28	715,076.21
Process wastewater	67,104.83	12,143.28	79,866.79	473,950.67
Fresh water	3,584.50	0.00	0.00	213,887.24
Atmospheric deposition	4,788.00	0.00	0.00	0.00
Total nutrients applied	126,373.78	24,532.93	127,776.06	1,402,914.12
Anticipated crop nutrient removal	180,576.30	27,967.20	161,099.60	0.00
Actual crop nutrient removal	134,542.63	24,065.39	138,086.46	616,708.09
Nutrient balance	-8,168.85	467.54	-10,310.40	786,206.02
Applied to removed ratio	0.94	1.02	0.93	2.27

B. POUNDS OF NUTRIENT APPLIED VS. CROP REMOVAL

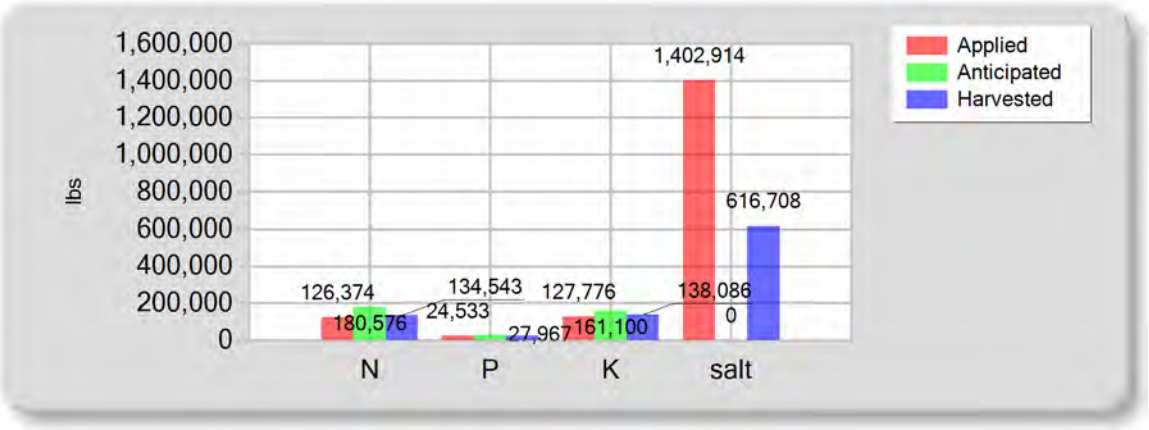

Annual Report - General Order No. R5-2007-0035
Reporting period 01/01/2023 to 12/31/2023.

C. POUNDS OF NUTRIENT APPLIED BY MATERIAL TYPE

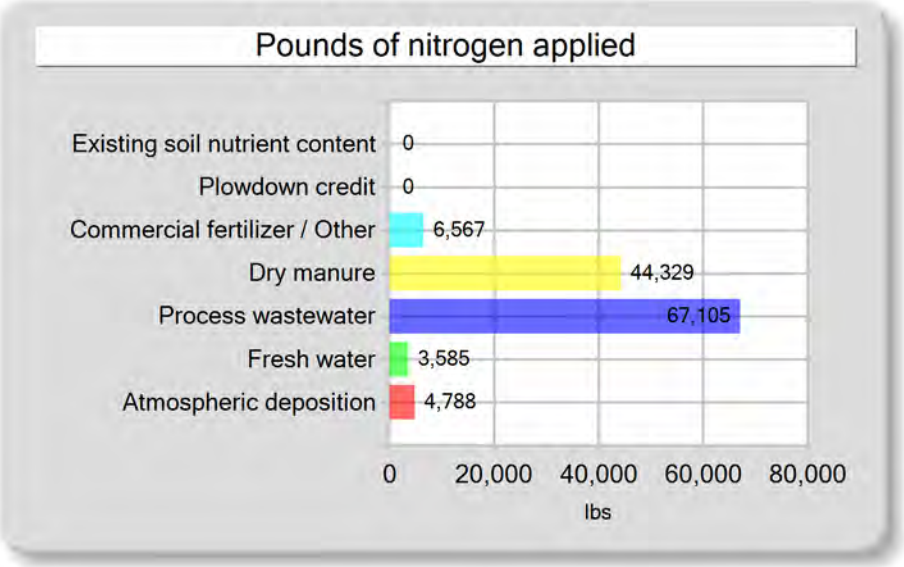

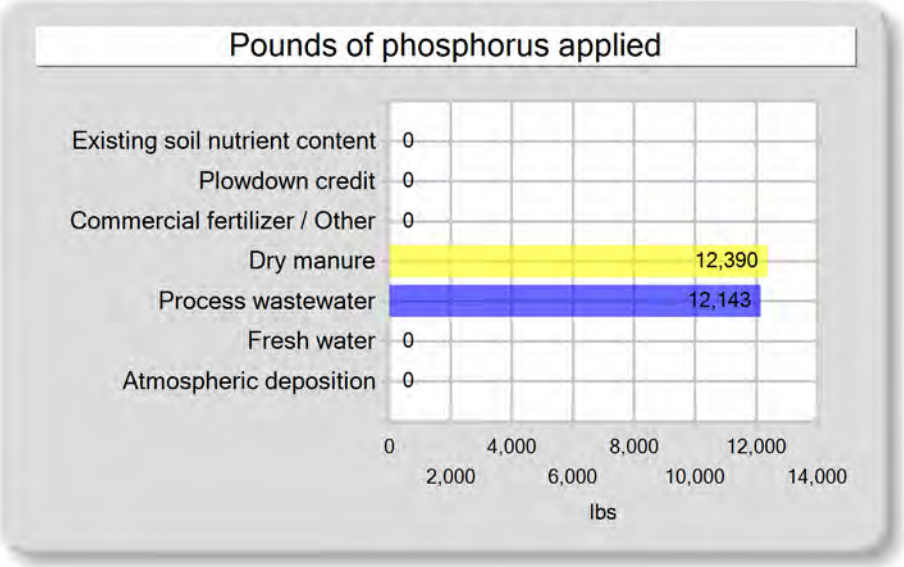

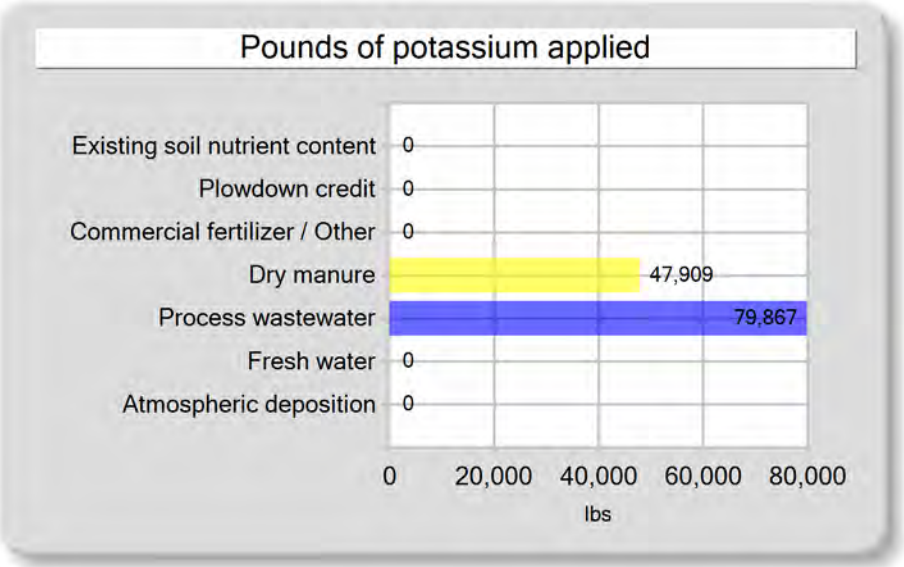

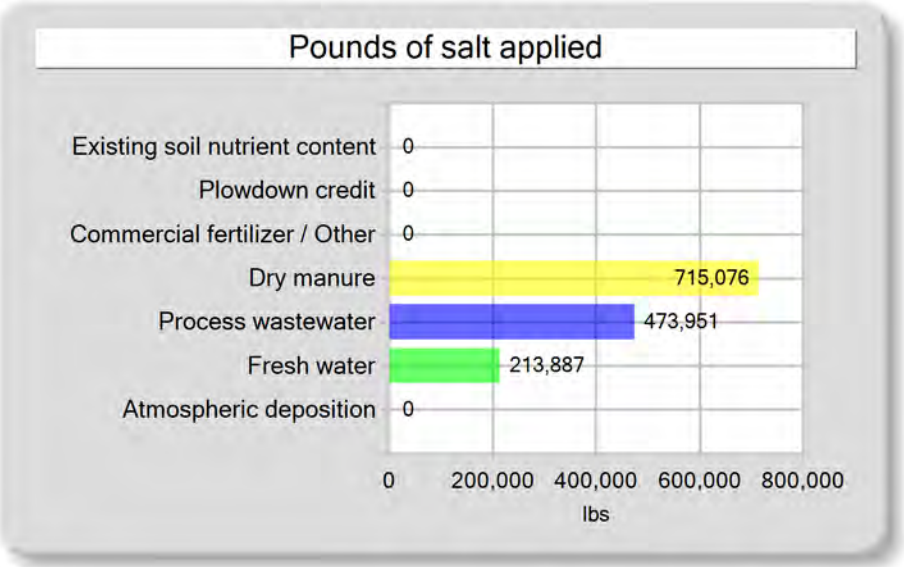

Annual Report - General Order No. R5-2007-0035
Reporting period 01/01/2023 to 12/31/2023.

EXCEPTION REPORTING

A. MANURE, PROCESS WASTEWATER, AND OTHER DAIRY WASTE DISCHARGES

The following is a summary of all manure and process wastewater discharges from the production area to surface water or to land areas (land application areas or otherwise) when not in accordance with the facility's Nutrient Management Plan.

No manure or process wastewater discharges occurred during the reporting period.

B. STORM WATER DISCHARGES

The following is a summary of all storm water discharges from the production area to surface water during the reporting period when not in accordance with the facility 's Nutrient Management Plan.

No stormwater discharges occurred during the reporting period.

C. LAND APPLICATION AREA TO SURFACE WATER DISCHARGES

The following is a summary of all discharges from the land application area to surface water that have occurred during the reporting period when not in accordance with the facility's Nutrient Management Plan.

No land application area to surface water discharges occurred during the reporting period.

NUTRIENT MANAGEMENT PLAN AND EXPORT AGREEMENT STATEMENTS

A. NUTRIENT MANAGEMENT PLAN STATEMENTS

Was the facility's NMP updated in the reporting period?	No
Was the facility's NMP developed by a certified nutrient management planner (specialist) as specified in Attachment C of the General Order?	Yes
Was the facility's NMP approved by a certified nutrient management planner (specialist) as specified in Attachment C of the General Order?	Yes

B. EXPORT AGREEMENT STATEMENT

Are there any written agreements with third parties to receive manure or process wastewater that are new or were revised within the reporting period?	No

Annual Report - General Order No. R5-2007-0035
Reporting period 01/01/2023 to 12/31/2023.

ADDITIONAL NOTES

A. NOTES

Precipitation utilized during winter months to meet forage freshwater requirements.

Heavy rains during the winter season allowed for a greater amount of surface water allocation to grow crops.

Fields 9 Triticale & 10 Triticale had lower than anticipated removal rates. This was due to much lower than expected tonnage. However, the applications to these fields matched the low removal rates and was able to meet the field ratio threshold of 1.4.

Fields 1 Wheat, 5 Wheat, 9 Corn, 10 Corn, H2 Corn, & H1B Alfalfa had lower than anticipated removal rates. This was due to lower than expected yields and expected %N. The %N was based on analysis that was derived through a certified laboratory. However, the applications to these fields matched the low removal rates and was able to meet the field ratio threshold of 1.4.

Fields H2 Oat Silage had a lower a than anticipated removal rate, which was due to extremely low tonnage. This resulted in field ratios slightly exceeding target limits.

Field #H1B & 6 Alfalfa received no wastewater or solid manure in 2023. All nutrients applied to these fields were contributed through freshwater applications only.

Field #H1A was fallow during the winter crop 2023.

Annual Report - General Order No. R5-2007-0035
Reporting period 01/01/2023 to 12/31/2023.

CERTIFICATION

A. OWNER AND/OR OPERATOR CERTIFICATION

I certify under penalty of law that I have personally examined and am familiar with the information submitted in this document and all attachments and that, based on my inquiry of those individuals immediately responsible for obtaining the information, I believe that the information is true, accurate, and complete. I am aware that there are significant penalties for submitting false information, including the possibility of fine and imprisonment.

DocuSigned by:

0C0FB3742DFC448...

SIGNATURE OF OWNER OF FACILITY	SIGNATURE OF OPERATOR OF FACILITY
LEON HATH	SAME AS OWNER
PRINT OR TYPE NAME	PRINT OR TYPE NAME
6/14/2024	
DATE	DATE

Annual Report - General Order No. R5-2007-0035
Reporting period 01/01/2023 to 12/31/2023.

ATTACHMENTS

A. REQUIRED ATTACHMENTS

The following lists the required documents that should be attached to the Annual Report when submitted .

Annual Dairy Facility Assessment
Provide an Annual Dairy Facility Assessment (an update to the Preliminary Dairy Facility Assessment in Attachment A) for each reporting period. On the PDFA Final page, click on the ADFA Report button to generate an ADFA report after updating information as needed .

Manure/Process Wastewater Tracking Manifests
Provide copies of all manure/process wastewater tracking manifests for the reporting period, signed by both the owner/operator and the hauler.

Corrective Actions Documents
Provide records documenting any corrective actions taken to correct deficiencies noted as a result of the inspections required in the Monitoring Requirements of the General Order. Deficiencies not corrected in 30 days must be accompanied by an explanation of the factors preventing immediate correction.

Groundwater Monitoring
Dischargers that monitor supply wells or subsurface (tile) drainage systems, or that have monitoring well systems must submit monitoring results as directed in the General Order, Groundwater Reporting Section starting on page MRP-13.

Storm Water Monitoring
Dischargers that are required to monitor storm water more frequently than required in the General Order must submit monitoring results as directed in the General Order, Storm Water Reporting Section on page MRP-14.

Manure / Process Wastewater Tracking Manifest
For
Existing Milk Cow Dairies

General Order No. R5-2007-0035, Attachment D

INSTRUCTIONS

1) Complete one manifest for each hauling event, for each destination. A hauling event may last for several days, as long as the manure is being hauled to the same destination.
2) If there are multiple destinations, complete a separate form for each destination.
3) The operator must obtain the signature of the hauler upon completion of each manure/process wastewater hauling event.
4) The operator shall submit copies of manure/process wastewater tracking manifest(s) with the Annual Monitoring Report for Existing Milk Cow Dairies.

OPERATOR INFORMATION

Name of Operator: Leon Hath

Name of Dairy Facility: Hath Dairy

Facility Address:

Number and Street	City	County	Zip Code
508 W Roosevelt RD	El Nido	Merced	95317

Contact Person Name and Phone Number:

Name	Phone Number
Leon Hath	(209) 000-0000

MANURE HAULER INFORMATION

Name of Hauling Company/Person: Kenneth Stone Spreading

Address of Hauling Company/Person:

Number and Street	City	State	Zip Code
5175 Shaw AVE	Winton	CA	95388

Contact Person:

Name	Phone Number
Paul Stone	(209) 756-1491

DESTINATION INFORMATION

Composting Facility / Broker / Farmer / Other (identify): Farmer

Contact information of Composting Facility, Broker, Farmer, or Other (as identified above):

Name	Phone Number
Davis Farms	(559) 469-4890

Address	City	State	Zip Code
301 Robertson BLVD	Chowchilla	CA	93610

Destination Address or Assessor's Parcel Number:

Address	City	Zip Code

Street and nearest cross street (if no address)	County

Assessor's Parcel Number	Assessor's Parcel Number County
0027-0031-0067-0000	Merced

Last date hauled: 10/28/2023

Manure / Process Wastewater Tracking Manifest
For
Existing Milk Cow Dairies

General Order No. R5-2007-0035, Attachment D

MANURE AMOUNT HAULED

Enter the amount of manure hauled in tons, manure solids content, and the method used to calculate the amount:

Manure: 260.00 tons

Manure Solids Content: 84.6 %

Method used to determine amount of manure:

Number of loads multiplied by load weight

CERTIFICATION

I declare under penalty of law that I personally examined and am familiar with the information submitted in this document, and that based on my inquiry of those individuals immediately responsible for obtaining the information, I believe that the information is true , accurate, and complete. I am aware that there are significant penalties for submitting false information, including the possibility of a fine and imprisonment for knowing violations.

DocuSigned by:
0C0FB3742DFC448...
6/14/2024

Operator Signature — Date

DocuSigned by:
0C0FB3742DFC448...
6/14/2024

Hauler Signature — Date

DocuSign Envelope ID: 26228352-B6C5-45F3-A8E2-AC36BDD2CE3E

Manure / Process Wastewater Tracking Manifest
For
Existing Milk Cow Dairies

General Order No. R5-2007-0035, Attachment D

INSTRUCTIONS

1) Complete one manifest for each hauling event, for each destination. A hauling event may last for several days, as long as the manure is being hauled to the same destination.
2) If there are multiple destinations, complete a separate form for each destination.
3) The operator must obtain the signature of the hauler upon completion of each manure/process wastewater hauling event.
4) The operator shall submit copies of manure/process wastewater tracking manifest(s) with the Annual Monitoring Report for Existing Milk Cow Dairies.

OPERATOR INFORMATION

Name of Operator: Leon Hath

Name of Dairy Facility: Hath Dairy

Facility Address:

Number and Street	City	County	Zip Code
508 W Roosevelt RD	El Nido	Merced	95317

Contact Person Name and Phone Number:

Name	Phone Number
Leon Hath	(209) 000-0000

MANURE HAULER INFORMATION

Name of Hauling Company/Person: Kenneth Stone Spreading

Address of Hauling Company/Person:

Number and Street	City	State	Zip Code
5175 Shaw AVE	Winton	CA	95388

Contact Person:

Name	Phone Number
Paul Stone	(209) 756-1491

DESTINATION INFORMATION

Composting Facility / Broker / Farmer / Other (identify): Farmer

Contact information of Composting Facility, Broker, Farmer, or Other (as identified above):

Name	Phone Number
Lewis Farms	(209) 769-5221

Address	City	State	Zip Code
P.O. Box 4	El NIdo	CA	95317

Destination Address or Assessor's Parcel Number:

Address	City	Zip Code

Street and nearest cross street (if no address)	County

Assessor's Parcel Number	Assessor's Parcel Number County
0074-0110-0007-0000	Merced

Last date hauled: 11/15/2023

Manure / Process Wastewater Tracking Manifest
For
Existing Milk Cow Dairies

General Order No. R5-2007-0035, Attachment D

MANURE AMOUNT HAULED

Enter the amount of manure hauled in tons, manure solids content, and the method used to calculate the amount:

Manure: 948.00 tons

Manure Solids Content: 63.5 %

Method used to determine amount of manure:

Number of loads multiplied by load weight

CERTIFICATION

I declare under penalty of law that I personally examined and am familiar with the information submitted in this document, and that based on my inquiry of those individuals immediately responsible for obtaining the information, I believe that the information is true , accurate, and complete. I am aware that there are significant penalties for submitting false information, including the possibility of a fine and imprisonment for knowing violations.

DocuSigned by:
9C0FB3742DFC448...
6/14/2024

Operator Signature Date

DocuSigned by:
9C0FB3742DFC448...
6/14/2024

Hauler Signature Date

DocuSign Envelope ID: 26228352-B6C5-45F3-A8E2-AC36BDD2CE3E

DELLAVALLE™
LABORATORY INC

Hath Dairy
PO Box 69
El Nido, CA 95317

Account# 00-0022213
Account Manager: Ben Nydam
Submitted By: Leon Hath

Received: 09/15/2023 16:14
Reported: 09/27/2023 12:20

Samples in this Report

Lab ID	Sample	Matrix	Sampled By	Crop	Date Sampled
23I1064-01	IW Tuff	Ag Water	Leon Hath		09/13/2023 0:00
23I1064-02	IW Vineyard	Ag Water	Leon Hath		09/13/2023 0:00
23I1064-03	IW Dairy	Ag Water	Leon Hath		09/13/2023 0:00
23I1064-04	MID Canal (DCW1)	Ag Water	Leon Hath		09/13/2023 0:00

Default Cooler Temperature on Receipt °C: 8.3

Containers Intact
COC/Labels Agree
Preservation Confirmed
Received On Ice

Notes and Definitions

Item	Definition
H	Hold Time Exceeded
MCL	Drinking Water Maximum Contaminant Level
ND	Analyte NOT DETECTED at or above the reporting limit.
NES	Not Enough Sample
*	Not Taken
RPD	Relative Percent Difference
%REC	Percent Recovery
Source	Sample that was matrix spiked or duplicated.

Scott McFriedland

Laboratory Director/Technical Manager

ELAP Certification #1595
A2LA Certification #6440.02

The results in this report apply to the samples as received and were analyzed in accordance with the chain of custody document. This analytical report must be reproduced in its entirety. All results listed in this report are for the exclusive use of the submitting party. Dellavalle Laboratory, Inc. assumes no responsibility for report alteration, separation, detachment or third party interpretation.

DocuSign Envelope ID: 26228352-B6C5-45F3-A8E2-AC36BDD2CE3E

DELLAVALLE™ LABORATORY INC

Hath Dairy
PO Box 69
El Nido, CA 95317

Account# 00-0022213
Account Manager: Ben Nydam
Submitted By: Leon Hath

Received: 09/15/2023 16:14
Reported: 09/27/2023 12:20

Sample Results

Sample: IW Tuff
23I1064-01 (Water)

Sampled: 9/13/2023 0:00
Sampled By: Leon Hath

Analyte	Result	Units	Reporting Limit	DIL	DW MCL	Date/Time Analyzed	Method	Notes	Batch
Alkalinity as CaCO3	**232**	mg/L	10.0	1		09/18/23 14:22	SM 2320 B		BEI0581
Calcium	**172**	mg/L	0.1	1		09/19/23 09:33	EPA 200.7		BEI0582
Chloride	**406**	mg/L	0.2	1	250	09/18/23 17:42	EPA 300.0		BEI0584
Carbonate as CaCO3	ND	mg/L	1	1		09/18/23 14:22	SM 2320 B		BEI0581
Electrical Conductivity	**1.81**	mmhos/cm	0.01	1		09/18/23 14:22	SM 2510 B		BEI0581
Electrical Conductivity umhos	**1810**	umhos/cm	10.0	1		09/18/23 14:22	SM 2510 B		BEI0581
Bicarbonate as CaCO3	**232**	mg/L	5.00	1		09/18/23 14:22	SM 2320 B		BEI0581
Potassium	**2.80**	mg/L	0.500	1		09/19/23 09:33	EPA 200.7		BEI0582
Magnesium	**47.9**	mg/L	0.1	1		09/19/23 09:33	EPA 200.7		BEI0582
Sodium	**118**	mg/L	1	1		09/19/23 09:33	EPA 200.7		BEI0582
Ammonia (as N)	ND	mg/L	0.00	1		09/13/23 00:00	Field		BEI0562
Nitrate Nitrogen as NO3N	**8.3**	mg/L	0.1	1	10	09/15/23 20:43	EPA 300.0		BEI0570
Hydroxide as CaCO3	ND	mg/L	1.00	1		09/18/23 14:22	SM 2320 B		BEI0581
pH	**7.7**	units	1.0	1		09/18/23 14:22	SM 4500-H+	H	BEI0581
Sulfate (SO4)	**20.8**	mg/L	0.5	1	250	09/15/23 20:43	EPA 300.0		BEI0570
Total Filterable Solids (TDS)	**1320**	mg/L	10.0	1		09/20/23 14:39	SM 2540 C		BEI0578
Kjeldahl Nitrogen (TKN), Total	ND	mg/L	1.00	1		09/21/23 15:47	SM 4500-NH3 C		BEI0699
Total Nitrogen	ND	mg/L	1.00	1		09/21/23 15:47	SM 4500-NH3 C		BEI0699

The results in this report apply to the samples as received and were analyzed in accordance with the chain of custody document. This analytical report must be reproduced in its entirety. All results listed in this report are for the exclusive use of the submitting party. Dellavalle Laboratory, Inc. assumes no responsibility for report alteration, separation, detachment or third party interpretation.

DocuSign Envelope ID: 26228352-B6C5-45F3-A8E2-AC36BDD2CE3E

DELLAVALLE™ LABORATORY INC

Hath Dairy
PO Box 69
El Nido, CA 95317

Account# 00-0022213
Account Manager: Ben Nydam
Submitted By: Leon Hath

Received: 09/15/2023 16:14
Reported: 09/27/2023 12:20

Sample Results
(Continued)

Sample: IW Vineyard
23I1064-02 (Water)

Sampled: 9/13/2023 0:00
Sampled By: Leon Hath

Analyte	Result	Units	Reporting Limit	DIL	DW MCL	Date/Time Analyzed	Method	Notes	Batch
Alkalinity as CaCO3	**285**	mg/L	10.0	1		09/18/23 14:28	SM 2320 B		BEI0581
Calcium	**139**	mg/L	0.1	1		09/19/23 09:34	EPA 200.7		BEI0582
Chloride	**130**	mg/L	0.2	1	250	09/15/23 21:02	EPA 300.0		BEI0570
Carbonate as CaCO3	ND	mg/L	1	1		09/18/23 14:28	SM 2320 B		BEI0581
Electrical Conductivity	**1.14**	mmhos/cm	0.01	1		09/18/23 14:28	SM 2510 B		BEI0581
Electrical Conductivity umhos	**1140**	umhos/cm	10.0	1		09/18/23 14:28	SM 2510 B		BEI0581
Bicarbonate as CaCO3	**285**	mg/L	5.00	1		09/18/23 14:28	SM 2320 B		BEI0581
Potassium	**4.54**	mg/L	0.500	1		09/19/23 09:34	EPA 200.7		BEI0582
Magnesium	**32.3**	mg/L	0.1	1		09/19/23 09:34	EPA 200.7		BEI0582
Sodium	**64**	mg/L	1	1		09/19/23 09:34	EPA 200.7		BEI0582
Ammonia (as N)	ND	mg/L	0.00	1		09/13/23 00:00	Field		BEI0562
Nitrate Nitrogen as NO3N	**18.8**	mg/L	0.1	1	10	09/15/23 21:02	EPA 300.0		BEI0570
Hydroxide as CaCO3	ND	mg/L	1.00	1		09/18/23 14:28	SM 2320 B		BEI0581
pH	**7.5**	units	1.0	1		09/18/23 14:28	SM 4500-H+	H	BEI0581
Sulfate (SO4)	**25.0**	mg/L	0.5	1	250	09/15/23 21:02	EPA 300.0		BEI0570
Total Filterable Solids (TDS)	**750**	mg/L	10.0	1		09/20/23 14:39	SM 2540 C		BEI0578
Kjeldahl Nitrogen (TKN), Total	ND	mg/L	1.00	1		09/21/23 15:49	SM 4500-NH3 C		BEI0699
Total Nitrogen	ND	mg/L	1.00	1		09/21/23 15:49	SM 4500-NH3 C		BEI0699

The results in this report apply to the samples as received and were analyzed in accordance with the chain of custody document. This analytical report must be reproduced in its entirety. All results listed in this report are for the exclusive use of the submitting party. Dellavalle Laboratory, Inc. assumes no responsibility for report alteration, separation, detachment or third party interpretation.

DocuSign Envelope ID: 26228352-B6C5-45F3-A8E2-AC36BDD2CE3E

DELLAVALLE™ LABORATORY INC

Hath Dairy
PO Box 69
El Nido, CA 95317

Account# 00-0022213
Account Manager: Ben Nydam
Submitted By: Leon Hath

Received: 09/15/2023 16:14
Reported: 09/27/2023 12:20

Sample Results
(Continued)

Sample: IW Dairy
23I1064-03 (Water)

Sampled: 9/13/2023 0:00
Sampled By: Leon Hath

Analyte	Result	Units	Reporting Limit	DIL	DW MCL	Date/Time Analyzed	Method	Notes	Batch
Alkalinity as CaCO3	**104**	mg/L	10.0	1		09/18/23 14:34	SM 2320 B		BEI0581
Calcium	**6.4**	mg/L	0.1	1		09/19/23 09:35	EPA 200.7		BEI0582
Chloride	**54.5**	mg/L	0.2	1	250	09/15/23 21:22	EPA 300.0		BEI0570
Carbonate as CaCO3	ND	mg/L	1	1		09/18/23 14:34	SM 2320 B		BEI0581
Electrical Conductivity	**0.38**	mmhos/cm	0.01	1		09/18/23 14:34	SM 2510 B		BEI0581
Electrical Conductivity umhos	**382**	umhos/cm	10.0	1		09/18/23 14:34	SM 2510 B		BEI0581
Bicarbonate as CaCO3	**104**	mg/L	5.00	1		09/18/23 14:34	SM 2320 B		BEI0581
Potassium	**4.10**	mg/L	0.500	1		09/19/23 09:35	EPA 200.7		BEI0582
Magnesium	**1.8**	mg/L	0.1	1		09/19/23 09:35	EPA 200.7		BEI0582
Sodium	**74**	mg/L	1	1		09/19/23 09:35	EPA 200.7		BEI0582
Ammonia (as N)	ND	mg/L	0.00	1		09/13/23 00:00	Field		BEI0562
Nitrate Nitrogen as NO3N	ND	mg/L	0.1	1	10	09/15/23 21:22	EPA 300.0		BEI0570
Hydroxide as CaCO3	ND	mg/L	1.00	1		09/18/23 14:34	SM 2320 B		BEI0581
pH	**8.2**	units	1.0	1		09/18/23 14:34	SM 4500-H+	H	BEI0581
Sulfate (SO4)	**4.4**	mg/L	0.5	1	250	09/15/23 21:22	EPA 300.0		BEI0570
Total Filterable Solids (TDS)	**212**	mg/L	10.0	1		09/20/23 14:39	SM 2540 C		BEI0578
Kjeldahl Nitrogen (TKN), Total	ND	mg/L	1.00	1		09/21/23 15:50	SM 4500-NH3 C		BEI0699
Total Nitrogen	ND	mg/L	1.00	1		09/21/23 15:50	SM 4500-NH3 C		BEI0699

The results in this report apply to the samples as received and were analyzed in accordance with the chain of custody document. This analytical report must be reproduced in its entirety. All results listed in this report are for the exclusive use of the submitting party. Dellavalle Laboratory, Inc. assumes no responsibility for report alteration, separation, detachment or third party interpretation.

DocuSign Envelope ID: 26228352-B6C5-45F3-A8E2-AC36BDD2CE3E

DELLAVALLE™ LABORATORY INC

Hath Dairy
PO Box 69
El Nido, CA 95317

Account# 00-0022213
Account Manager: Ben Nydam
Submitted By: Leon Hath

Received: 09/15/2023 16:14
Reported: 09/27/2023 12:20

Sample Results
(Continued)

Sample: MID Canal (DCW1)
23I1064-04 (Water)

Sampled: 9/13/2023 0:00
Sampled By: Leon Hath

Analyte	Result	Units	Reporting Limit	DIL	DW MCL	Date/Time Analyzed	Method	Notes	Batch
Electrical Conductivity	**0.03**	mmhos/cm	0.01	1		09/18/23 14:38	SM 2510 B		BEI0581
Electrical Conductivity umhos	**27.9**	umhos/cm	10.0	1		09/18/23 14:38	SM 2510 B		BEI0581
Nitrate Nitrogen as NO3N	ND	mg/L	0.1	1	10	09/15/23 21:42	EPA 300.0		BEI0570
pH	**7.0**	units	1.0	1		09/18/23 14:38	SM 4500-H+	H	BEI0581
Total Filterable Solids (TDS)	**29.0**	mg/L	10.0	1		09/20/23 14:39	SM 2540 C		BEI0578
Temperature	**25.0**	°C	0.0	1		09/18/23 14:38	SM 2510 B		BEI0581
Kjeldahl Nitrogen (TKN), Total	ND	mg/L	1.00	1		09/21/23 15:52	SM 4500-NH3 C		BEI0699
Total Nitrogen	ND	mg/L	1.00	1		09/21/23 15:52	SM 4500-NH3 C		BEI0699

The results in this report apply to the samples as received and were analyzed in accordance with the chain of custody document. This analytical report must be reproduced in its entirety. All results listed in this report are for the exclusive use of the submitting party. Dellavalle Laboratory, Inc. assumes no responsibility for report alteration, separation, detachment or third party interpretation.

DocuSign Envelope ID: 26228352-B6C5-45F3-A8E2-AC36BDD2CE3E

DELLAVALLE™ LABORATORY INC

Hath Dairy
PO Box 69
El Nido, CA 95317

Account# 00-0022213
Account Manager: Ben Nydam
Submitted By: Leon Hath

Received: 09/15/2023 16:14
Reported: 09/27/2023 12:20

Quality Control

Analyte	Result	Qual	Reporting Limit	Units	Spike Level	Source Result	%REC	%REC Limits	RPD	RPD Limit
Batch: BEI0570										
Blank (BEI0570-BLK1)					Prepared & Analyzed: 9/15/2023					
Chloride	ND		0.2	mg/L						
Nitrate Nitrogen as NO3N	ND		0.1	mg/L						
Sulfate (SO4)	ND		0.5	mg/L						
Blank (BEI0570-BLK2)					Prepared & Analyzed: 9/15/2023					
Chloride	ND		0.2	mg/L						
Nitrate Nitrogen as NO3N	ND		0.1	mg/L						
Sulfate (SO4)	ND		0.5	mg/L						
Blank (BEI0570-BLK3)					Prepared & Analyzed: 9/16/2023					
Chloride	ND		0.2	mg/L						
Nitrate Nitrogen as NO3N	ND		0.1	mg/L						
Sulfate (SO4)	ND		0.5	mg/L						
LCS (BEI0570-BS1)					Prepared & Analyzed: 9/16/2023					
Chloride	4.9		0.2	mg/L	5.000		97.9	90-110		
Nitrate Nitrogen as NO3N	5.0		0.1	mg/L	5.000		101	90-110		
Sulfate (SO4)	4.7		0.5	mg/L	5.000		93.3	90-110		
LCS (BEI0570-BS2)					Prepared & Analyzed: 9/16/2023					
Chloride	5.0		0.2	mg/L	5.000		99.8	90-110		
Nitrate Nitrogen as NO3N	5.1		0.1	mg/L	5.000		102	90-110		
Sulfate (SO4)	4.8		0.5	mg/L	5.000		95.3	90-110		
Duplicate (BEI0570-DUP1)		**Source: 23I1062-02**			Prepared & Analyzed: 9/16/2023					
Chloride	6.4		0.2	mg/L		6.4			0.905	10
Nitrate Nitrogen as NO3N	0.02		0.1	mg/L		0.02			0.00	10
Sulfate (SO4)	14.7		0.5	mg/L		14.6			1.14	10
Duplicate (BEI0570-DUP2)		**Source: 23I1066-05**			Prepared & Analyzed: 9/16/2023					
Chloride	0.8		0.2	mg/L		0.8			1.94	10
Nitrate Nitrogen as NO3N	0.1		0.1	mg/L		0.09			2.11	10
Sulfate (SO4)	1.4		0.5	mg/L		1.3			2.93	10
Matrix Spike (BEI0570-MS1)		**Source: 23I1062-02**			Prepared & Analyzed: 9/15/2023					
Chloride	11.4		0.2	mg/L	5.000	6.4	100	90-110		
Nitrate Nitrogen as NO3N	5.0		0.1	mg/L	5.000	0.02	99.3	90-110		
Sulfate (SO4)	19.6		0.5	mg/L	5.000	14.6	100	90-110		
Matrix Spike (BEI0570-MS2)		**Source: 23I1066-05**			Prepared & Analyzed: 9/16/2023					
Chloride	5.7		0.2	mg/L	5.000	0.8	98.2	90-110		
Nitrate Nitrogen as NO3N	5.0		0.1	mg/L	5.000	0.09	98.5	90-110		
Sulfate (SO4)	6.1		0.5	mg/L	5.000	1.3	94.8	90-110		

The results in this report apply to the samples as received and were analyzed in accordance with the chain of custody document. This analytical report must be reproduced in its entirety. All results listed in this report are for the exclusive use of the submitting party. Dellavalle Laboratory, Inc. assumes no responsibility for report alteration, separation, detachment or third party interpretation.

DELLAVALLE™ LABORATORY INC

Hath Dairy
PO Box 69
El Nido, CA 95317

Account# 00-0022213
Account Manager: Ben Nydam
Submitted By: Leon Hath

Received: 09/15/2023 16:14
Reported: 09/27/2023 12:20

Quality Control
(Continued)

Analyte	Result	Qual	Reporting Limit	Units	Spike Level	Source Result	%REC	%REC Limits	RPD	RPD Limit
Batch: BEI0570 (Continued)										
Reference (BEI0570-SRM1)					Prepared & Analyzed: 9/15/2023					
Chloride	12.6			mg/L	12.50		100	90-110		
Nitrate Nitrogen as NO3N	10.0			mg/L	10.00		100	90-110		
Sulfate (SO4)	9.8			mg/L	10.00		97.8	90-110		
Reference (BEI0570-SRM2)					Prepared & Analyzed: 9/16/2023					
Chloride	12.7			mg/L	12.50		102	90-110		
Nitrate Nitrogen as NO3N	10.2			mg/L	10.00		102	90-110		
Sulfate (SO4)	9.9			mg/L	10.00		98.7	90-110		
Reference (BEI0570-SRM3)					Prepared & Analyzed: 9/16/2023					
Chloride	12.7			mg/L	12.50		101	90-110		
Nitrate Nitrogen as NO3N	10.1			mg/L	10.00		101	90-110		
Sulfate (SO4)	9.9			mg/L	10.00		98.9	90-110		

The results in this report apply to the samples as received and were analyzed in accordance with the chain of custody document. This analytical report must be reproduced in its entirety. All results listed in this report are for the exclusive use of the submitting party. Dellavalle Laboratory, Inc. assumes no responsibility for report alteration, separation, detachment or third party interpretation.

DELLAVALLE™ LABORATORY INC

Hath Dairy
PO Box 69
El Nido, CA 95317

Account# 00-0022213
Account Manager: Ben Nydam
Submitted By: Leon Hath

Received: 09/15/2023 16:14
Reported: 09/27/2023 12:20

Quality Control
(Continued)

Analyte	Result	Qual	Reporting Limit	Units	Spike Level	Source Result	%REC	%REC Limits	RPD	RPD Limit
Batch: BEI0578										
Blank (BEI0578-BLK1)					Prepared: 9/18/2023	Analyzed: 9/20/2023				
Total Filterable Solids (TDS)	ND		10.0	mg/L						
LCS (BEI0578-BS1)					Prepared: 9/18/2023	Analyzed: 9/20/2023				
Total Filterable Solids (TDS)	23.8		10.0	mg/L	2000		1.19	0-200		
Duplicate (BEI0578-DUP1)			**Source: 23I1001-01**		Prepared: 9/18/2023	Analyzed: 9/20/2023				
Total Filterable Solids (TDS)	390		10.0	mg/L		360			8.00	10
Duplicate (BEI0578-DUP2)			**Source: 23I1066-01**		Prepared: 9/18/2023	Analyzed: 9/20/2023				
Total Filterable Solids (TDS)	760		10.0	mg/L		770			1.31	10
Reference (BEI0578-SRM1)					Prepared: 9/18/2023	Analyzed: 9/20/2023				
Total Filterable Solids (TDS)	317			mg/L	325.0		97.4	90-110		

The results in this report apply to the samples as received and were analyzed in accordance with the chain of custody document. This analytical report must be reproduced in its entirety. All results listed in this report are for the exclusive use of the submitting party. Dellavalle Laboratory, Inc. assumes no responsibility for report alteration, separation, detachment or third party interpretation.

DELLAVALLE™ LABORATORY INC

Hath Dairy
PO Box 69
El Nido, CA 95317

Account# 00-0022213
Account Manager: Ben Nydam
Submitted By: Leon Hath

Received: 09/15/2023 16:14
Reported: 09/27/2023 12:20

Quality Control
(Continued)

Analyte	Result	Qual	Reporting Limit	Units	Spike Level	Source Result	%REC	%REC Limits	RPD	RPD Limit
Batch: BEI0581										
Blank (BEI0581-BLK1)					Prepared & Analyzed: 9/18/2023					
Hydroxide as CaCO3	ND		1.00	mg/L						
Alkalinity as CaCO3	ND		10.0	mg/L						
Carbonate as CaCO3	ND		1	mg/L						
Electrical Conductivity	0.01		0.01	mmhos/cm						
Bicarbonate as CaCO3	ND		5.00	mg/L						
Electrical Conductivity umhos	10.3		10.0	umhos/cm						
pH	4.2		1.0	units						
Blank (BEI0581-BLK3)					Prepared & Analyzed: 9/18/2023					
Alkalinity as CaCO3	ND		10.0	mg/L						
Carbonate as CaCO3	ND		1	mg/L						
Electrical Conductivity	ND		0.01	mmhos/cm						
Hydroxide as CaCO3	ND		1.00	mg/L						
Electrical Conductivity umhos	ND		10.0	umhos/cm						
Bicarbonate as CaCO3	ND		5.00	mg/L						
pH	5.0		1.0	units						
Duplicate (BEI0581-DUP2)		**Source: 23I1067-04**			Prepared & Analyzed: 9/18/2023					
Electrical Conductivity	1.33		0.01	mmhos/cm		1.34			0.202	10
Hydroxide as CaCO3	ND		1.00	mg/L		ND				10
Alkalinity as CaCO3	175		10.0	mg/L		177			1.28	10
Carbonate as CaCO3	ND		1	mg/L		ND				10
pH	7.9		1.0	units		7.9			0.126	10
Electrical Conductivity umhos	1330		10.0	umhos/cm		1340			0.202	10
Reference (BEI0581-SRM1)					Prepared & Analyzed: 9/18/2023					
Alkalinity as CaCO3	37.1			mg/L	40.60		91.4	90-110		
Electrical Conductivity	536			umhos/cm	538.0		99.6	90-110		
Reference (BEI0581-SRM3)					Prepared & Analyzed: 9/18/2023					
Alkalinity as CaCO3	39.7			mg/L	40.60		97.8	90-110		
Electrical Conductivity	533			umhos/cm	538.0		99.0	90-110		
Reference (BEI0581-SRM4)					Prepared & Analyzed: 9/18/2023					
pH	4.0			units	4.000		101	97.5-102.5		
Reference (BEI0581-SRM6)					Prepared & Analyzed: 9/18/2023					
pH	4.0			units	4.000		101	97.5-102.5		
Reference (BEI0581-SRM7)					Prepared & Analyzed: 9/18/2023					
pH	5.9			units	5.820		102	28178-101.7		

The results in this report apply to the samples as received and were analyzed in accordance with the chain of custody document. This analytical report must be reproduced in its entirety. All results listed in this report are for the exclusive use of the submitting party. Dellavalle Laboratory, Inc. assumes no responsibility for report alteration, separation, detachment or third party interpretation.

DELLAVALLE™ LABORATORY INC

Hath Dairy
PO Box 69
El Nido, CA 95317

Account# 00-0022213
Account Manager: Ben Nydam
Submitted By: Leon Hath

Received: 09/15/2023 16:14
Reported: 09/27/2023 12:20

Quality Control
(Continued)

Analyte	Result	Qual	Reporting Limit	Units	Spike Level	Source Result	%REC	%REC Limits	RPD	RPD Limit
Batch: BEI0582										
Blank (BEI0582-BLK1)					Prepared: 9/18/2023 Analyzed: 9/19/2023					
Potassium	ND		0.500	mg/L						
Calcium	ND		0.1	mg/L						
Sodium	ND		1	mg/L						
Magnesium	ND		0.1	mg/L						
Blank (BEI0582-BLK2)					Prepared: 9/18/2023 Analyzed: 9/19/2023					
Potassium	ND		0.500	mg/L						
Sodium	ND		1	mg/L						
Calcium	ND		0.1	mg/L						
Magnesium	ND		0.1	mg/L						
LCS (BEI0582-BS1)					Prepared: 9/18/2023 Analyzed: 9/19/2023					
Calcium	38.0		0.1	mg/L	35.71		106	90-110		
Sodium	39		1	mg/L	35.71		109	90-110		
Potassium	38.1		0.500	mg/L	35.71		107	90-110		
Magnesium	39.0		0.1	mg/L	35.71		109	90-110		
Duplicate (BEI0582-DUP1)		**Source: 23I1079-01**			Prepared: 9/18/2023 Analyzed: 9/19/2023					
Potassium	ND		0.500	mg/L		5.45				15
Sodium	0.2		1	mg/L		70			199	15
Calcium	ND		0.1	mg/L		67.4				15
Magnesium	ND		0.1	mg/L		24.0				15
Matrix Spike (BEI0582-MS1)		**Source: 23I1079-01**			Prepared: 9/18/2023 Analyzed: 9/19/2023					
Calcium	108		0.1	mg/L	35.71	67.4	113	90-110		
Sodium	112		1	mg/L	35.71	70	117	90-110		
Potassium	45.0		0.500	mg/L	35.71	5.45	111	90-110		
Magnesium	64.8		0.1	mg/L	35.71	24.0	114	90-110		
Reference (BEI0582-SRM2)					Prepared: 9/18/2023 Analyzed: 9/19/2023					
Sodium	95			mg/L	91.50		103	90-110		
Potassium	22.0			mg/L	21.90		100	90-110		
Reference (BEI0582-SRM3)					Prepared: 9/18/2023 Analyzed: 9/19/2023					
Calcium	49.3			mg/L	45.90		107	90-110		
Magnesium	39.0			mg/L	35.60		110	90-110		

The results in this report apply to the samples as received and were analyzed in accordance with the chain of custody document. This analytical report must be reproduced in its entirety. All results listed in this report are for the exclusive use of the submitting party. Dellavalle Laboratory, Inc. assumes no responsibility for report alteration, separation, detachment or third party interpretation.

DELLAVALLE™ LABORATORY INC

Hath Dairy
PO Box 69
El Nido, CA 95317

Account# 00-0022213
Account Manager: Ben Nydam
Submitted By: Leon Hath

Received: 09/15/2023 16:14
Reported: 09/27/2023 12:20

Quality Control
(Continued)

Analyte	Result	Qual	Reporting Limit	Units	Spike Level	Source Result	%REC	%REC Limits	RPD	RPD Limit
Batch: BEI0584										
Blank (BEI0584-BLK1)					Prepared & Analyzed: 9/18/2023					
Chloride	ND		0.2	mg/L						
Blank (BEI0584-BLK2)					Prepared & Analyzed: 9/18/2023					
Chloride	ND		0.2	mg/L						
Blank (BEI0584-BLK3)					Prepared & Analyzed: 9/18/2023					
Chloride	ND		0.2	mg/L						
LCS (BEI0584-BS1)					Prepared & Analyzed: 9/18/2023					
Chloride	4.8		0.2	mg/L	5.000		96.8	90-110		
LCS (BEI0584-BS2)					Prepared & Analyzed: 9/19/2023					
Chloride	4.9		0.2	mg/L	5.000		97.4	90-110		
Duplicate (BEI0584-DUP1)		**Source: 23I1091-01**			Prepared & Analyzed: 9/18/2023					
Chloride	11.0		0.2	mg/L		11.0			0.246	10
Duplicate (BEI0584-DUP2)		**Source: 23I0113-01**			Prepared & Analyzed: 9/19/2023					
Chloride	8.8		0.2	mg/L		8.9			0.373	10
Matrix Spike (BEI0584-MS1)		**Source: 23I1091-01**			Prepared & Analyzed: 9/18/2023					
Chloride	16.1		0.2	mg/L	5.000	11.0	103	90-110		
Matrix Spike (BEI0584-MS2)		**Source: 23I0113-01**			Prepared & Analyzed: 9/19/2023					
Chloride	13.8		0.2	mg/L	5.000	8.9	97.8	90-110		
Reference (BEI0584-SRM1)					Prepared & Analyzed: 9/18/2023					
Chloride	12.6			mg/L	12.50		101	90-110		
Reference (BEI0584-SRM2)					Prepared & Analyzed: 9/18/2023					
Chloride	12.8			mg/L	12.50		102	90-110		
Reference (BEI0584-SRM3)					Prepared & Analyzed: 9/19/2023					
Chloride	12.7			mg/L	12.50		102	90-110		

The results in this report apply to the samples as received and were analyzed in accordance with the chain of custody document. This analytical report must be reproduced in its entirety. All results listed in this report are for the exclusive use of the submitting party. Dellavalle Laboratory, Inc. assumes no responsibility for report alteration, separation, detachment or third party interpretation.

DELLAVALLE™ LABORATORY INC

Hath Dairy
PO Box 69
El Nido, CA 95317

Account# 00-0022213
Account Manager: Ben Nydam
Submitted By: Leon Hath

Received: 09/15/2023 16:14
Reported: 09/27/2023 12:20

Quality Control
(Continued)

Analyte	Result	Qual	Reporting Limit	Units	Spike Level	Source Result	%REC	%REC Limits	RPD	RPD Limit
Batch: BEI0699										
Blank (BEI0699-BLK1)					Prepared: 9/20/2023	Analyzed: 9/21/2023				
Kjeldahl Nitrogen (TKN), Total	ND		1.00	mg/L						
Total Nitrogen	ND		1.00	mg/L						
Blank (BEI0699-BLK2)					Prepared: 9/20/2023	Analyzed: 9/21/2023				
Kjeldahl Nitrogen (TKN), Total	ND		1.00	mg/L						
Total Nitrogen	ND		1.00	mg/L						
LCS (BEI0699-BS1)					Prepared: 9/20/2023	Analyzed: 9/21/2023				
Kjeldahl Nitrogen (TKN), Total	5.31		1.00	mg/L	5.709		93.1	90-110		
LCS (BEI0699-BS2)					Prepared: 9/20/2023	Analyzed: 9/21/2023				
Kjeldahl Nitrogen (TKN), Total	5.19		1.00	mg/L	5.709		90.9	90-110		
Duplicate (BEI0699-DUP1)		**Source: 23I1064-03**			Prepared: 9/20/2023	Analyzed: 9/21/2023				
Kjeldahl Nitrogen (TKN), Total	12.3		1.40	mg/L		ND				10
Duplicate (BEI0699-DUP2)		**Source: 23I1151-01**			Prepared: 9/20/2023	Analyzed: 9/21/2023				
Kjeldahl Nitrogen (TKN), Total	95.1		3.50	mg/L		95.2			0.0901	10
Matrix Spike (BEI0699-MS1)		**Source: 23I1064-03**			Prepared: 9/20/2023	Analyzed: 9/21/2023				
Kjeldahl Nitrogen (TKN), Total	7.73		1.40	mg/L	7.992	ND	96.7	90-110		
Matrix Spike (BEI0699-MS2)		**Source: 23I1151-01**			Prepared: 9/20/2023	Analyzed: 9/21/2023				
Kjeldahl Nitrogen (TKN), Total	102		3.50	mg/L	9.990	95.2	68.4	90-110		
Reference (BEI0699-SRM1)					Prepared: 9/20/2023	Analyzed: 9/21/2023				
Kjeldahl Nitrogen (TKN), Total	23.0			mg/L	23.80		96.7	90-110		

The results in this report apply to the samples as received and were analyzed in accordance with the chain of custody document. This analytical report must be reproduced in its entirety. All results listed in this report are for the exclusive use of the submitting party. Dellavalle Laboratory, Inc. assumes no responsibility for report alteration, separation, detachment or third party interpretation.

WATER WORK REQUEST

DELLAVALLE LABORATORY, INC.
1910 W. McKinley Avenue, Suite 110 • Fresno, CA 93728
www.dellavallelab.com 559 233-6129 · 800 228-9896 · Fax 559 268-8174

Purchase Order No

Bill To: 22213 Acct # | 09 / 08 Cons #

No. Samples: 4 No of Bottles:

Results Need By

Water Type: [ ] Drinking Water [ ] Wastewater
[X] Ag Water [ ] Groundwater [ ] Monitoring Well

Other:

Name: Hath Dairy
Address: PO Box 69
City: El Nido **State:** CA **Zip:** 95317
Telephone: **Fax:**
Cell/Email: hathdairy@sbcglobal.net
COPY TO: labs@fragservices.com
krhodes@fragservices.com; ariordan@fragservices.com
REQUESTED BY: Leon Hath
PROJECT:
CROP:

[X] Copy of Chain [X] QA/QC Documents
Sampled By: Leon Hath

Analysis and Bottles Required: (*Please indicate Analysis*)

( ) DWW1: EC, NO_3-N — NH4-N Field Test
(1-1 Liter Plastic, Unpreserved) White Per Sample
(X) DWW2: DWW1 Plus SO_4, CO_3, HCO_3, Cl, Ca, Mg, Na, TDS
(1-1 Liter Plastic, Unpreserved) White Per Sample
(X) DCW1: EC, NO_3-N, TKN, TN, TDS (Canal)
(1-1 Liter Plastic, Unpreserved) White Per Sample
( ) DPW1: EC, NO_3-N, NH_4-N, TKN, TDS, TP, TK
(1-1 Liter Plastic, Unpreserved) White Per Sample
( ) DPW2: DPW1 Plus Ca, Mg, Na, HCO_3, CO_3, SO_4, Cl
(1-1 Liter Plastic, Unpreserved) White Per Sample
(X) Other + TN

	Description of Samples	Date Sampled	Time Sampled	Rec'd Temp °C	Field NH_4-N
1	IW Tuff	9/13		8.3	
2	IW Vineyard	↓		8.6	
3	IW Dairy	↓		8.4	
4	MID Canal (DCW1)	↓		6.3	
5					
6					
7					
8					
9					
10					

IR Thermometer SN: 200560723
Correction Factor: 0°C
Calibration Due: 9/26/2023
Location: Laboratory

09/15/23 16:14 23I1064

CHAIN OF CUSTODY

Carrier	Signature	Company	Received (Date/Time)	Relinquished (Date/Time)
First		FR Ag Services	09:00 9/14	9/14 12:00
Second			9/15 2:20	9/15 4:15
Third				
Fourth			9.15.23 16:14	

I guarantee that as the client, or on behalf of client named, I have the authority to contract the above requested services. Should it be found that I do not have such authority, I agree to be personally liable for all costs and, if there should be action against me for this breach, reasonable attorneys' fees. It is understood that payment is expected to be cash with samples unless terms have been previously arranged. Terms are net 30 days; overdue accounts will be charged a liquidated damage fee of 2% per month (annually 24%) or $5.00 per month whichever is greater.

If payment is not made when due and a legitimate dispute exists concerning the product or services of Dellavalle Laboratory, Inc., it will be submitted to mediation under the Rules and Procedures of Creative Alternative to Litigation, Inc. (*cal*). If the dispute is not resolved in mediation, then the dispute will be submitted to binding arbitration through *cal* under its Rules and Procedures. The parties will equally bear the costs of mediation/arbitration. If, however, the mediator declares that no legitimate dispute exists, then debtor will pay all mediation and arbitration costs, and in the event of arbitration, reasonable attorneys' fees of Dellavalle Laboratory.

Invoicing Information:
Sampling hrs
Mileage
Consulting

Shipping
$ In
$ Out

Amt Paid	Rec By	Check #	Date

Signature

Sample received in cooler with ice (coolant)
[ ] Yes [ ] No

X:\1-CLIENT CUSTOM FIELDSHEETS\FIELDSHEETS\Dairy Fieldsheets\[Hath Dairy Water.xls]Dairy Water

DocuSign Envelope ID: 26228352-B6C5-45F3-A8E2-AC36BDD2CE3E

09/15/23 16:14 23I1064

pH Strips
Lot: 10BDH4501 Exp: Jan 2025

Shipping Information: Shipped In ☐ Picked-Up ☐ Walk In ☐ DLI Sampler ☑ Other ☐ _____

☐ Samples refridgerated before pick up | ☐ Picked up samples placed in Ice chest

Container: Ice Chest ☑ Box ☐ None ☐ | **Refrigerant:** Wet Ice ☑ Blue Ice ☐ None ☐

Samples Preserved with HNO_3 or H_2SO_4 were: ☐ Received Preserved ☑ Preserved Upon Receipt at Laboratory

	Type of Container(s) Received	Sample Number 1	2	3	4	5	6	7	8	9	10
	Sample Containers for Internal (DLI) Use *(Containers that go into the Lab)*										
Plastics	100 mL sterile plastic $Na_2S_2O_3$ (Green)										
Plastics	250 mL unpreserved (White) Plastic										
Plastics	250 mL HNO_3 (Red) Plastic										
Plastics	* pH Value										
Plastics	250 mL H_2SO_4 (Yellow) Plastic	1	1	1	1						
Plastics	* pH Value	<2	<2	<2	<2						
Plastics	500 mL unpreserved (White) Plastic										
Plastics	1 L unpreserved (White) Plastic	1	1	1	1						
Plastics	1 L unpreserved (BOD) (Purple) Plastic										
Special	500mL unpreserved (White) Glass										
Special	PO4-P Kit										
Special	**Other:**										
	Sample Containers for Subcontracted ("Send Out") Analyses *(Containers that go in the Subcontract ("Send Out") Refrigerator)*										
Plastics	100 mL sterile plastic $Na_2S_2O_3$ (Green)										
Plastics	250 mL unpreserved (White) Plastic										
Plastics	250 mL HNO_3 (Red) Plastic										
Plastics	250 mL H_2SO_4 (Yellow) Plastic										
Plastics	500 mL HNO_3 (Red)										
Plastics	1 L unpreserved (White) Plastic										
Plastics	1 L unpreserved (BOD) (Purple) Plastic										
Plastics	1 L HNO_3 (Red)										
VOA Vials	40 mL VOA, $Na_2S_2O_3$ + MCAA (EPA531)										
VOA Vials	40 mL VOA, $Na_2S_2O_3$ (EPA547)										
VOA Vials	40mL AG VOA unpreserved (White) (Set of 3)										
VOA Vials	40 mL AG VOA, $Na_2S_2O_3$ (Green) (Set of 3)										
VOA Vials	40mL VOA, H_3PO_4 (Set of 3)										
VOA Vials	40 mL VOA, HCl (Blue) (Set of 3)										
VOA Vials	40 mL VOA, $Na_2S_2O_3$ (Green) (Set of 3)										
Glass	250 mL AG unpreserved (White)										
Glass	250 mL AG H_2SO_4 (Yellow)										
Glass	250 mL AG $Na_2S_2O_3$ (Green)										
Glass	250 mL AG $Na_2S_2O_3$ + MCAA										
Glass	500 mL glass unpreserved (White)										
Glass	500 mL AG HCl (Blue)										
Glass	1 L AG unpreserved (White)										
Glass	1 L AG H_2SO_4 (Yellow)										
Glass	1 L AG $Na_2S_2O_3$ (Green)										
Glass	1 L AG HCl (Blue)										
Special	Cr^{6+} - 50mL Plastic w/Borate/HCO_3/CO_3										
Special	Cyanide - 500 mL NaOH										
Special	Asbestos - 1L P wrapped in foil (Set of 2)										
Special	Sulfide - 1 L **AG** or **P** NaOH + ZnAc										
Special	Chlorite/Bromate - 250 mL AG with EDA										
Special	HAA5 - 250mL AG Ammonium Chlorite										
Special	DO KIT										
Special	**Other:**										
Special	**Other:**										

SENDOUT

DocuSign Envelope ID: 26228352-B6C5-45F3-A8E2-AC36BDD2CE3E

DELLAVALLE™
LABORATORY INC

Hath Dairy
PO Box 69
El Nido, CA 95317

Account# 00-0022213
Account Manager: Ben Nydam
Submitted By: Leon Hath

Received: 09/15/2023 16:13
Reported: 09/27/2023 12:28

Samples in this Report

Lab ID	Sample	Matrix	Sampled By	Crop	Date Sampled
23I1067-01	Dom Tuff	Drinking Water			09/13/2023 0:00
23I1067-02	Dom Vineyard	Drinking Water			09/13/2023 0:00
23I1067-03	Dom Milk Barn	Drinking Water			09/13/2023 0:00
23I1067-04	Dom #1	Drinking Water			09/13/2023 0:00

Default Cooler Temperature on Receipt °C: 6.9

Containers Intact
COC/Labels Agree
Preservation Confirmed
Received On Ice

Notes and Definitions

Item	Definition
H	Hold Time Exceeded
MCL	Drinking Water Maximum Contaminant Level
ND	Analyte NOT DETECTED at or above the reporting limit.
NES	Not Enough Sample
*	Not Taken
RPD	Relative Percent Difference
%REC	Percent Recovery
Source	Sample that was matrix spiked or duplicated.

Scott McFriedland

Laboratory Director/Technical Manager

ELAP Certification #1595
A2LA Certification #6440.02

The results in this report apply to the samples as received and were analyzed in accordance with the chain of custody document. This analytical report must be reproduced in its entirety. All results listed in this report are for the exclusive use of the submitting party. Dellavalle Laboratory, Inc. assumes no responsibility for report alteration, separation, detachment or third party interpretation.

1910 W. McKinley Ave Suite 110 Fresno, CA 93728 559-233-6129 www.dellavallelab.com

DocuSign Envelope ID: 26228352-B6C5-45F3-A8E2-AC36BDD2CE3E

DELLAVALLE™ LABORATORY INC

Hath Dairy
PO Box 69
El Nido, CA 95317

Account# 00-0022213
Account Manager: Ben Nydam
Submitted By: Leon Hath

Received: 09/15/2023 16:13
Reported: 09/27/2023 12:28

Sample Results

Sample: Dom Tuff
23I1067-01 (Water)

Sampled: 9/13/2023 0:00
Sampled By:

Analyte	Result	Units	Reporting Limit	DIL	DW MCL	Date/Time Analyzed	Method	Notes	Batch
Alkalinity as CaCO3	**285**	mg/L	10.0	1		09/18/23 14:40	SM 2320 B		BEI0581
Calcium	**51.1**	mg/L	0.1	1		09/19/23 09:37	EPA 200.7		BEI0582
Chloride	**101**	mg/L	0.2	1	250	09/16/23 02:20	EPA 300.0		BEI0570
Carbonate as CaCO3	ND	mg/L	1	1		09/18/23 14:40	SM 2320 B		BEI0581
Electrical Conductivity	**0.70**	mmhos/cm	0.01	1		09/18/23 14:40	SM 2510 B		BEI0581
Electrical Conductivity umhos	**698**	umhos/cm	10.0	1		09/18/23 14:40	SM 2510 B		BEI0581
Bicarbonate as CaCO3	**285**	mg/L	5.00	1		09/18/23 14:40	SM 2320 B		BEI0581
Potassium	**1.50**	mg/L	0.500	1		09/19/23 09:37	EPA 200.7		BEI0582
Magnesium	**13.3**	mg/L	0.1	1		09/19/23 09:37	EPA 200.7		BEI0582
Sodium	**80**	mg/L	1	1		09/19/23 09:37	EPA 200.7		BEI0582
Ammonia (as N)	*	mg/L	0.00	1		09/13/23 00:00	Field		BEI0815
Nitrate Nitrogen as NO3N	**1.9**	mg/L	0.1	1	10	09/16/23 02:20	EPA 300.0		BEI0570
Hydroxide as CaCO3	ND	mg/L	1.00	1		09/18/23 14:40	SM 2320 B		BEI0581
pH	**8.1**	units	1.0	1		09/18/23 14:40	SM 4500-H+	H	BEI0581
Sulfate (SO4)	**12.5**	mg/L	0.5	1	250	09/16/23 02:20	EPA 300.0		BEI0570
Total Filterable Solids (TDS)	**420**	mg/L	10.0	1		09/20/23 16:46	SM 2540 C		BEI0635
Kjeldahl Nitrogen (TKN), Total	ND	mg/L	1.00	1		09/19/23 11:37	SM 4500-NH3 C		BEI0546
Total Nitrogen	**2.02**	mg/L	1.00	1		09/19/23 11:37	SM 4500-NH3 C		BEI0546

The results in this report apply to the samples as received and were analyzed in accordance with the chain of custody document. This analytical report must be reproduced in its entirety. All results listed in this report are for the exclusive use of the submitting party. Dellavalle Laboratory, Inc. assumes no responsibility for report alteration, separation, detachment or third party interpretation.

DocuSign Envelope ID: 26228352-B6C5-45F3-A8E2-AC36BDD2CE3E

DELLAVALLE™ LABORATORY INC

Hath Dairy
PO Box 69
El Nido, CA 95317

Account# 00-0022213
Account Manager: Ben Nydam
Submitted By: Leon Hath

Received: 09/15/2023 16:13
Reported: 09/27/2023 12:28

Sample Results
(Continued)

Sample: Dom Vineyard
23I1067-02 (Water)

Sampled: 9/13/2023 0:00
Sampled By:

Analyte	Result	Units	Reporting Limit	DIL	DW MCL	Date/Time Analyzed	Method	Notes	Batch
Alkalinity as CaCO3	**170**	mg/L	10.0	1		09/18/23 14:47	SM 2320 B		BEI0581
Calcium	**119**	mg/L	0.1	1		09/19/23 09:38	EPA 200.7		BEI0582
Chloride	**224**	mg/L	0.2	1	250	09/18/23 18:02	EPA 300.0		BEI0584
Carbonate as CaCO3	ND	mg/L	1	1		09/18/23 14:47	SM 2320 B		BEI0581
Electrical Conductivity	**1.09**	mmhos/cm	0.01	1		09/18/23 14:47	SM 2510 B		BEI0581
Electrical Conductivity umhos	**1090**	umhos/cm	10.0	1		09/18/23 14:47	SM 2510 B		BEI0581
Bicarbonate as CaCO3	**170**	mg/L	5.00	1		09/18/23 14:47	SM 2320 B		BEI0581
Potassium	**3.57**	mg/L	0.500	1		09/19/23 09:38	EPA 200.7		BEI0582
Magnesium	**23.4**	mg/L	0.1	1		09/19/23 09:38	EPA 200.7		BEI0582
Sodium	**84**	mg/L	1	1		09/19/23 09:38	EPA 200.7		BEI0582
Ammonia (as N)	*	mg/L	0.00	1		09/13/23 00:00	Field		BEI0815
Nitrate Nitrogen as NO3N	**4.3**	mg/L	0.1	1	10	09/16/23 02:40	EPA 300.0		BEI0570
Hydroxide as CaCO3	ND	mg/L	1.00	1		09/18/23 14:47	SM 2320 B		BEI0581
pH	**8.0**	units	1.0	1		09/18/23 14:47	SM 4500-H+	H	BEI0581
Sulfate (SO4)	**14.7**	mg/L	0.5	1	250	09/16/23 02:40	EPA 300.0		BEI0570
Total Filterable Solids (TDS)	**800**	mg/L	10.0	1		09/20/23 16:46	SM 2540 C		BEI0635
Kjeldahl Nitrogen (TKN), Total	ND	mg/L	1.00	1		09/19/23 11:38	SM 4500-NH3 C		BEI0546
Total Nitrogen	**4.57**	mg/L	1.00	1		09/19/23 11:38	SM 4500-NH3 C		BEI0546

The results in this report apply to the samples as received and were analyzed in accordance with the chain of custody document. This analytical report must be reproduced in its entirety. All results listed in this report are for the exclusive use of the submitting party. Dellavalle Laboratory, Inc. assumes no responsibility for report alteration, separation, detachment or third party interpretation.

DocuSign Envelope ID: 26228352-B6C5-45F3-A8E2-AC36BDD2CE3E

DELLAVALLE™ LABORATORY INC

Hath Dairy
PO Box 69
El Nido, CA 95317

Account# 00-0022213
Account Manager: Ben Nydam
Submitted By: Leon Hath

Received: 09/15/2023 16:13
Reported: 09/27/2023 12:28

Sample Results
(Continued)

Sample: Dom Milk Barn
23I1067-03 (Water)

Sampled: 9/13/2023 0:00
Sampled By:

Analyte	Result	Units	Reporting Limit	DIL	DW MCL	Date/Time Analyzed	Method	Notes	Batch
Alkalinity as CaCO3	**229**	mg/L	10.0	1		09/18/23 14:51	SM 2320 B		BEI0581
Calcium	**78.9**	mg/L	0.1	1		09/19/23 09:39	EPA 200.7		BEI0582
Chloride	**69.0**	mg/L	0.2	1	250	09/16/23 03:00	EPA 300.0		BEI0570
Carbonate as CaCO3	ND	mg/L	1	1		09/18/23 14:51	SM 2320 B		BEI0581
Electrical Conductivity	**0.75**	mmhos/cm	0.01	1		09/18/23 14:51	SM 2510 B		BEI0581
Electrical Conductivity umhos	**749**	umhos/cm	10.0	1		09/18/23 14:51	SM 2510 B		BEI0581
Bicarbonate as CaCO3	**229**	mg/L	5.00	1		09/18/23 14:51	SM 2320 B		BEI0581
Potassium	**5.47**	mg/L	0.500	1		09/19/23 09:39	EPA 200.7		BEI0582
Magnesium	**18.2**	mg/L	0.1	1		09/19/23 09:39	EPA 200.7		BEI0582
Sodium	**60**	mg/L	1	1		09/19/23 09:39	EPA 200.7		BEI0582
Ammonia (as N)	*	mg/L	0.00	1		09/13/23 00:00	Field		BEI0815
Nitrate Nitrogen as NO3N	**9.2**	mg/L	0.1	1	10	09/16/23 03:00	EPA 300.0		BEI0570
Hydroxide as CaCO3	ND	mg/L	1.00	1		09/18/23 14:51	SM 2320 B		BEI0581
pH	**7.9**	units	1.0	1		09/18/23 14:51	SM 4500-H+	H	BEI0581
Sulfate (SO4)	**28.9**	mg/L	0.5	1	250	09/16/23 03:00	EPA 300.0		BEI0570
Total Filterable Solids (TDS)	**470**	mg/L	10.0	1		09/20/23 16:46	SM 2540 C		BEI0635
Kjeldahl Nitrogen (TKN), Total	ND	mg/L	1.00	1		09/19/23 11:40	SM 4500-NH3 C		BEI0546
Total Nitrogen	**9.84**	mg/L	1.00	1		09/19/23 11:40	SM 4500-NH3 C		BEI0546

The results in this report apply to the samples as received and were analyzed in accordance with the chain of custody document. This analytical report must be reproduced in its entirety. All results listed in this report are for the exclusive use of the submitting party. Dellavalle Laboratory, Inc. assumes no responsibility for report alteration, separation, detachment or third party interpretation.

DocuSign Envelope ID: 26228352-B6C5-45F3-A8E2-AC36BDD2CE3E

DELLAVALLE™ LABORATORY INC

Hath Dairy
PO Box 69
El Nido, CA 95317

Account# 00-0022213
Account Manager: Ben Nydam
Submitted By: Leon Hath

Received: 09/15/2023 16:13
Reported: 09/27/2023 12:28

Sample Results
(Continued)

Sample: Dom #1
23I1067-04 (Water)

Sampled: 9/13/2023 0:00
Sampled By:

Analyte	Result	Units	Reporting Limit	DIL	DW MCL	Date/Time Analyzed	Method	Notes	Batch
Alkalinity as CaCO3	**177**	mg/L	10.0	1		09/18/23 14:57	SM 2320 B		BEI0581
Calcium	**131**	mg/L	0.1	1		09/19/23 09:40	EPA 200.7		BEI0582
Chloride	**287**	mg/L	0.2	1	250	09/18/23 18:22	EPA 300.0		BEI0584
Carbonate as CaCO3	ND	mg/L	1	1		09/18/23 14:57	SM 2320 B		BEI0581
Electrical Conductivity	**1.34**	mmhos/cm	0.01	1		09/18/23 14:57	SM 2510 B		BEI0581
Electrical Conductivity umhos	**1340**	umhos/cm	10.0	1		09/18/23 14:57	SM 2510 B		BEI0581
Bicarbonate as CaCO3	**177**	mg/L	5.00	1		09/18/23 14:57	SM 2320 B		BEI0581
Potassium	**6.37**	mg/L	0.500	1		09/19/23 09:40	EPA 200.7		BEI0582
Magnesium	**36.4**	mg/L	0.1	1		09/19/23 09:40	EPA 200.7		BEI0582
Sodium	**86**	mg/L	1	1		09/19/23 09:40	EPA 200.7		BEI0582
Ammonia (as N)	*	mg/L	0.00	1		09/13/23 00:00	Field		BEI0815
Nitrate Nitrogen as NO3N	**7.0**	mg/L	0.1	1	10	09/16/23 03:19	EPA 300.0		BEI0570
Hydroxide as CaCO3	ND	mg/L	1.00	1		09/18/23 14:57	SM 2320 B		BEI0581
pH	**7.9**	units	1.0	1		09/18/23 14:57	SM 4500-H+	H	BEI0581
Sulfate (SO4)	**15.7**	mg/L	0.5	1	250	09/16/23 03:19	EPA 300.0		BEI0570
Total Filterable Solids (TDS)	**1080**	mg/L	10.0	1		09/20/23 16:46	SM 2540 C		BEI0635
Kjeldahl Nitrogen (TKN), Total	**11.9**	mg/L	1.00	1		09/19/23 11:41	SM 4500-NH3 C		BEI0546
Total Nitrogen	**18.9**	mg/L	1.00	1		09/19/23 11:41	SM 4500-NH3 C		BEI0546

The results in this report apply to the samples as received and were analyzed in accordance with the chain of custody document. This analytical report must be reproduced in its entirety. All results listed in this report are for the exclusive use of the submitting party. Dellavalle Laboratory, Inc. assumes no responsibility for report alteration, separation, detachment or third party interpretation.

DocuSign Envelope ID: 26228352-B6C5-45F3-A8E2-AC36BDD2CE3E

DELLAVALLE™ LABORATORY INC

Hath Dairy
PO Box 69
El Nido, CA 95317

Account# 00-0022213
Account Manager: Ben Nydam
Submitted By: Leon Hath

Received: 09/15/2023 16:13
Reported: 09/27/2023 12:28

Quality Control

Analyte	Result	Qual	Reporting Limit	Units	Spike Level	Source Result	%REC	%REC Limits	RPD	RPD Limit
Batch: BEI0546										
Blank (BEI0546-BLK1)					Prepared: 9/15/2023	Analyzed: 9/19/2023				
Kjeldahl Nitrogen (TKN), Total	ND		1.00	mg/L						
Total Nitrogen	ND		1.00	mg/L						
Blank (BEI0546-BLK2)					Prepared: 9/15/2023	Analyzed: 9/19/2023				
Kjeldahl Nitrogen (TKN), Total	ND		1.00	mg/L						
Total Nitrogen	ND		1.00	mg/L						
LCS (BEI0546-BS1)					Prepared: 9/15/2023	Analyzed: 9/19/2023				
Kjeldahl Nitrogen (TKN), Total	5.56		1.00	mg/L	5.709		97.5	90-110		
LCS (BEI0546-BS2)					Prepared: 9/15/2023	Analyzed: 9/19/2023				
Kjeldahl Nitrogen (TKN), Total	5.87		1.00	mg/L	5.709		103	90-110		
Duplicate (BEI0546-DUP1)		**Source: 23I1004-01**			Prepared: 9/15/2023	Analyzed: 9/19/2023				
Kjeldahl Nitrogen (TKN), Total	9.66		1.40	mg/L		ND				10
Duplicate (BEI0546-DUP2)		**Source: 23I1066-02**			Prepared: 9/15/2023	Analyzed: 9/19/2023				
Kjeldahl Nitrogen (TKN), Total	ND		1.40	mg/L		ND				10
Matrix Spike (BEI0546-MS1)		**Source: 23I1004-01**			Prepared: 9/15/2023	Analyzed: 9/19/2023				
Kjeldahl Nitrogen (TKN), Total	7.07		1.40	mg/L	7.992	ND	88.4	90-110		
Matrix Spike (BEI0546-MS2)		**Source: 23I1066-02**			Prepared: 9/15/2023	Analyzed: 9/19/2023				
Kjeldahl Nitrogen (TKN), Total	7.81		1.40	mg/L	7.992	ND	97.8	90-110		
Reference (BEI0546-SRM1)					Prepared: 9/15/2023	Analyzed: 9/19/2023				
Kjeldahl Nitrogen (TKN), Total	22.2			mg/L	23.80		93.4	90-110		

The results in this report apply to the samples as received and were analyzed in accordance with the chain of custody document. This analytical report must be reproduced in its entirety. All results listed in this report are for the exclusive use of the submitting party. Dellavalle Laboratory, Inc. assumes no responsibility for report alteration, separation, detachment or third party interpretation.

DocuSign Envelope ID: 26228352-B6C5-45F3-A8E2-AC36BDD2CE3E

DELLAVALLE™ LABORATORY INC

Hath Dairy
PO Box 69
El Nido, CA 95317

Account# 00-0022213
Account Manager: Ben Nydam
Submitted By: Leon Hath

Received: 09/15/2023 16:13
Reported: 09/27/2023 12:28

Quality Control
(Continued)

Analyte	Result	Qual	Reporting Limit	Units	Spike Level	Source Result	%REC	%REC Limits	RPD	RPD Limit
Batch: BEI0570										
Blank (BEI0570-BLK1)					Prepared & Analyzed: 9/15/2023					
Chloride	ND		0.2	mg/L						
Nitrate Nitrogen as NO3N	ND		0.1	mg/L						
Sulfate (SO4)	ND		0.5	mg/L						
Blank (BEI0570-BLK2)					Prepared & Analyzed: 9/15/2023					
Chloride	ND		0.2	mg/L						
Nitrate Nitrogen as NO3N	ND		0.1	mg/L						
Sulfate (SO4)	ND		0.5	mg/L						
Blank (BEI0570-BLK3)					Prepared & Analyzed: 9/16/2023					
Chloride	ND		0.2	mg/L						
Nitrate Nitrogen as NO3N	ND		0.1	mg/L						
Sulfate (SO4)	ND		0.5	mg/L						
LCS (BEI0570-BS1)					Prepared & Analyzed: 9/16/2023					
Chloride	4.9		0.2	mg/L	5.000		97.9	90-110		
Nitrate Nitrogen as NO3N	5.0		0.1	mg/L	5.000		101	90-110		
Sulfate (SO4)	4.7		0.5	mg/L	5.000		93.3	90-110		
LCS (BEI0570-BS2)					Prepared & Analyzed: 9/16/2023					
Chloride	5.0		0.2	mg/L	5.000		99.8	90-110		
Nitrate Nitrogen as NO3N	5.1		0.1	mg/L	5.000		102	90-110		
Sulfate (SO4)	4.8		0.5	mg/L	5.000		95.3	90-110		
Duplicate (BEI0570-DUP1)		**Source: 23I1062-02**			Prepared & Analyzed: 9/16/2023					
Chloride	6.4		0.2	mg/L		6.4			0.905	10
Nitrate Nitrogen as NO3N	0.02		0.1	mg/L		0.02			0.00	10
Sulfate (SO4)	14.7		0.5	mg/L		14.6			1.14	10
Duplicate (BEI0570-DUP2)		**Source: 23I1066-05**			Prepared & Analyzed: 9/16/2023					
Chloride	0.8		0.2	mg/L		0.8			1.94	10
Nitrate Nitrogen as NO3N	0.1		0.1	mg/L		0.09			2.11	10
Sulfate (SO4)	1.4		0.5	mg/L		1.3			2.93	10
Matrix Spike (BEI0570-MS1)		**Source: 23I1062-02**			Prepared & Analyzed: 9/15/2023					
Chloride	11.4		0.2	mg/L	5.000	6.4	100	90-110		
Nitrate Nitrogen as NO3N	5.0		0.1	mg/L	5.000	0.02	99.3	90-110		
Sulfate (SO4)	19.6		0.5	mg/L	5.000	14.6	100	90-110		
Matrix Spike (BEI0570-MS2)		**Source: 23I1066-05**			Prepared & Analyzed: 9/16/2023					
Chloride	5.7		0.2	mg/L	5.000	0.8	98.2	90-110		
Nitrate Nitrogen as NO3N	5.0		0.1	mg/L	5.000	0.09	98.5	90-110		
Sulfate (SO4)	6.1		0.5	mg/L	5.000	1.3	94.8	90-110		

The results in this report apply to the samples as received and were analyzed in accordance with the chain of custody document. This analytical report must be reproduced in its entirety. All results listed in this report are for the exclusive use of the submitting party. Dellavalle Laboratory, Inc. assumes no responsibility for report alteration, separation, detachment or third party interpretation.

DocuSign Envelope ID: 26228352-B6C5-45F3-A8E2-AC36BDD2CE3E

DELLAVALLE™ LABORATORY INC

Hath Dairy
PO Box 69
El Nido, CA 95317

Account# 00-0022213
Account Manager: Ben Nydam
Submitted By: Leon Hath

Received: 09/15/2023 16:13
Reported: 09/27/2023 12:28

Quality Control
(Continued)

Analyte	Result	Qual	Reporting Limit	Units	Spike Level	Source Result	%REC	%REC Limits	RPD	RPD Limit
Batch: BEI0570 (Continued)										
Reference (BEI0570-SRM1)					Prepared & Analyzed: 9/15/2023					
Chloride	12.6			mg/L	12.50		100	90-110		
Nitrate Nitrogen as NO3N	10.0			mg/L	10.00		100	90-110		
Sulfate (SO4)	9.8			mg/L	10.00		97.8	90-110		
Reference (BEI0570-SRM2)					Prepared & Analyzed: 9/16/2023					
Chloride	12.7			mg/L	12.50		102	90-110		
Nitrate Nitrogen as NO3N	10.2			mg/L	10.00		102	90-110		
Sulfate (SO4)	9.9			mg/L	10.00		98.7	90-110		
Reference (BEI0570-SRM3)					Prepared & Analyzed: 9/16/2023					
Chloride	12.7			mg/L	12.50		101	90-110		
Nitrate Nitrogen as NO3N	10.1			mg/L	10.00		101	90-110		
Sulfate (SO4)	9.9			mg/L	10.00		98.9	90-110		

The results in this report apply to the samples as received and were analyzed in accordance with the chain of custody document. This analytical report must be reproduced in its entirety. All results listed in this report are for the exclusive use of the submitting party. Dellavalle Laboratory, Inc. assumes no responsibility for report alteration, separation, detachment or third party interpretation.

DELLAVALLE™ LABORATORY INC

Hath Dairy
PO Box 69
El Nido, CA 95317

Account# 00-0022213
Account Manager: Ben Nydam
Submitted By: Leon Hath

Received: 09/15/2023 16:13
Reported: 09/27/2023 12:28

Quality Control
(Continued)

Analyte	Result	Qual	Reporting Limit	Units	Spike Level	Source Result	%REC	%REC Limits	RPD	RPD Limit
Batch: BEI0581										
Blank (BEI0581-BLK1)					Prepared & Analyzed: 9/18/2023					
Alkalinity as CaCO3	ND		10.0	mg/L						
Carbonate as CaCO3	ND		1	mg/L						
Electrical Conductivity	0.01		0.01	mmhos/cm						
Hydroxide as CaCO3	ND		1.00	mg/L						
Electrical Conductivity umhos	10.3		10.0	umhos/cm						
Bicarbonate as CaCO3	ND		5.00	mg/L						
pH	4.2		1.0	units						
Blank (BEI0581-BLK3)					Prepared & Analyzed: 9/18/2023					
Hydroxide as CaCO3	ND		1.00	mg/L						
Alkalinity as CaCO3	ND		10.0	mg/L						
Carbonate as CaCO3	ND		1	mg/L						
Electrical Conductivity	ND		0.01	mmhos/cm						
Bicarbonate as CaCO3	ND		5.00	mg/L						
pH	5.0		1.0	units						
Electrical Conductivity umhos	ND		10.0	umhos/cm						
Duplicate (BEI0581-DUP2)		**Source: 23I1067-04**			Prepared & Analyzed: 9/18/2023					
Hydroxide as CaCO3	ND		1.00	mg/L		ND				10
Electrical Conductivity	1.33		0.01	mmhos/cm		1.34			0.202	10
Carbonate as CaCO3	ND		1	mg/L		ND				10
Alkalinity as CaCO3	175		10.0	mg/L		177			1.28	10
Electrical Conductivity umhos	1330		10.0	umhos/cm		1340			0.202	10
pH	7.9		1.0	units		7.9			0.126	10
Reference (BEI0581-SRM1)					Prepared & Analyzed: 9/18/2023					
Alkalinity as CaCO3	37.1			mg/L	40.60		91.4	90-110		
Electrical Conductivity	536			umhos/cm	538.0		99.6	90-110		
Reference (BEI0581-SRM3)					Prepared & Analyzed: 9/18/2023					
Electrical Conductivity	533			umhos/cm	538.0		99.0	90-110		
Alkalinity as CaCO3	39.7			mg/L	40.60		97.8	90-110		
Reference (BEI0581-SRM4)					Prepared & Analyzed: 9/18/2023					
pH	4.0			units	4.000		101	97.5-102.5		
Reference (BEI0581-SRM6)					Prepared & Analyzed: 9/18/2023					
pH	4.0			units	4.000		101	97.5-102.5		
Reference (BEI0581-SRM7)					Prepared & Analyzed: 9/18/2023					
pH	5.9			units	5.820		102	28178-101.7		

The results in this report apply to the samples as received and were analyzed in accordance with the chain of custody document. This analytical report must be reproduced in its entirety. All results listed in this report are for the exclusive use of the submitting party. Dellavalle Laboratory, Inc. assumes no responsibility for report alteration, separation, detachment or third party interpretation.

DELLAVALLE™ LABORATORY INC

Hath Dairy
PO Box 69
El Nido, CA 95317

Account# 00-0022213
Account Manager: Ben Nydam
Submitted By: Leon Hath

Received: 09/15/2023 16:13
Reported: 09/27/2023 12:28

Quality Control
(Continued)

Analyte	Result	Qual	Reporting Limit	Units	Spike Level	Source Result	%REC	%REC Limits	RPD	RPD Limit
Batch: BEI0582										
Blank (BEI0582-BLK1)					Prepared: 9/18/2023 Analyzed: 9/19/2023					
Potassium	ND		0.500	mg/L						
Calcium	ND		0.1	mg/L						
Sodium	ND		1	mg/L						
Magnesium	ND		0.1	mg/L						
Blank (BEI0582-BLK2)					Prepared: 9/18/2023 Analyzed: 9/19/2023					
Sodium	ND		1	mg/L						
Calcium	ND		0.1	mg/L						
Potassium	ND		0.500	mg/L						
Magnesium	ND		0.1	mg/L						
LCS (BEI0582-BS1)					Prepared: 9/18/2023 Analyzed: 9/19/2023					
Calcium	38.0		0.1	mg/L	35.71		106	90-110		
Sodium	39		1	mg/L	35.71		109	90-110		
Potassium	38.1		0.500	mg/L	35.71		107	90-110		
Magnesium	39.0		0.1	mg/L	35.71		109	90-110		
Duplicate (BEI0582-DUP1)		**Source: 23I1079-01**			Prepared: 9/18/2023 Analyzed: 9/19/2023					
Calcium	ND		0.1	mg/L		67.4				15
Potassium	ND		0.500	mg/L		5.45				15
Sodium	0.2		1	mg/L		70			199	15
Magnesium	ND		0.1	mg/L		24.0				15
Matrix Spike (BEI0582-MS1)		**Source: 23I1079-01**			Prepared: 9/18/2023 Analyzed: 9/19/2023					
Calcium	108		0.1	mg/L	35.71	67.4	113	90-110		
Sodium	112		1	mg/L	35.71	70	117	90-110		
Potassium	45.0		0.500	mg/L	35.71	5.45	111	90-110		
Magnesium	64.8		0.1	mg/L	35.71	24.0	114	90-110		
Reference (BEI0582-SRM2)					Prepared: 9/18/2023 Analyzed: 9/19/2023					
Sodium	95			mg/L	91.50		103	90-110		
Potassium	22.0			mg/L	21.90		100	90-110		
Reference (BEI0582-SRM3)					Prepared: 9/18/2023 Analyzed: 9/19/2023					
Calcium	49.3			mg/L	45.90		107	90-110		
Magnesium	39.0			mg/L	35.60		110	90-110		

The results in this report apply to the samples as received and were analyzed in accordance with the chain of custody document. This analytical report must be reproduced in its entirety. All results listed in this report are for the exclusive use of the submitting party. Dellavalle Laboratory, Inc. assumes no responsibility for report alteration, separation, detachment or third party interpretation.

DELLAVALLE™ LABORATORY INC

Hath Dairy
PO Box 69
El Nido, CA 95317

Account# 00-0022213
Account Manager: Ben Nydam
Submitted By: Leon Hath

Received: 09/15/2023 16:13
Reported: 09/27/2023 12:28

Quality Control
(Continued)

Analyte	Result	Qual	Reporting Limit	Units	Spike Level	Source Result	%REC	%REC Limits	RPD	RPD Limit
Batch: BEI0584										
Blank (BEI0584-BLK1)					Prepared & Analyzed: 9/18/2023					
Chloride	ND		0.2	mg/L						
Blank (BEI0584-BLK2)					Prepared & Analyzed: 9/18/2023					
Chloride	ND		0.2	mg/L						
Blank (BEI0584-BLK3)					Prepared & Analyzed: 9/18/2023					
Chloride	ND		0.2	mg/L						
LCS (BEI0584-BS1)					Prepared & Analyzed: 9/18/2023					
Chloride	4.8		0.2	mg/L	5.000		96.8	90-110		
LCS (BEI0584-BS2)					Prepared & Analyzed: 9/19/2023					
Chloride	4.9		0.2	mg/L	5.000		97.4	90-110		
Duplicate (BEI0584-DUP1)		**Source: 23I1091-01**			Prepared & Analyzed: 9/18/2023					
Chloride	11.0		0.2	mg/L		11.0			0.246	10
Duplicate (BEI0584-DUP2)		**Source: 23I0113-01**			Prepared & Analyzed: 9/19/2023					
Chloride	8.8		0.2	mg/L		8.9			0.373	10
Matrix Spike (BEI0584-MS1)		**Source: 23I1091-01**			Prepared & Analyzed: 9/18/2023					
Chloride	16.1		0.2	mg/L	5.000	11.0	103	90-110		
Matrix Spike (BEI0584-MS2)		**Source: 23I0113-01**			Prepared & Analyzed: 9/19/2023					
Chloride	13.8		0.2	mg/L	5.000	8.9	97.8	90-110		
Reference (BEI0584-SRM1)					Prepared & Analyzed: 9/18/2023					
Chloride	12.6			mg/L	12.50		101	90-110		
Reference (BEI0584-SRM2)					Prepared & Analyzed: 9/18/2023					
Chloride	12.8			mg/L	12.50		102	90-110		
Reference (BEI0584-SRM3)					Prepared & Analyzed: 9/19/2023					
Chloride	12.7			mg/L	12.50		102	90-110		

The results in this report apply to the samples as received and were analyzed in accordance with the chain of custody document. This analytical report must be reproduced in its entirety. All results listed in this report are for the exclusive use of the submitting party. Dellavalle Laboratory, Inc. assumes no responsibility for report alteration, separation, detachment or third party interpretation.

DELLAVALLE™ LABORATORY INC

Hath Dairy
PO Box 69
El Nido, CA 95317

Account# 00-0022213
Account Manager: Ben Nydam
Submitted By: Leon Hath

Received: 09/15/2023 16:13
Reported: 09/27/2023 12:28

Quality Control
(Continued)

Analyte	Result	Qual	Reporting Limit	Units	Spike Level	Source Result	%REC	%REC Limits	RPD	RPD Limit
Batch: BEI0635										
Blank (BEI0635-BLK1)					Prepared: 9/19/2023	Analyzed: 9/20/2023				
Total Filterable Solids (TDS)	ND		10.0	mg/L						
LCS (BEI0635-BS1)					Prepared: 9/19/2023	Analyzed: 9/20/2023				
Total Filterable Solids (TDS)	30.0		10.0	mg/L	2000		1.50	0-200		
Duplicate (BEI0635-DUP1)			**Source: 23I1116-01**		Prepared: 9/19/2023	Analyzed: 9/20/2023				
Total Filterable Solids (TDS)	1440		10.0	mg/L		1480			2.74	10
Duplicate (BEI0635-DUP2)			**Source: 23I1138-05**		Prepared: 9/19/2023	Analyzed: 9/20/2023				
Total Filterable Solids (TDS)	760		10.0	mg/L		720			5.41	10
Reference (BEI0635-SRM1)					Prepared: 9/19/2023	Analyzed: 9/20/2023				
Total Filterable Solids (TDS)	327			mg/L	325.0		101	90-110		

The results in this report apply to the samples as received and were analyzed in accordance with the chain of custody document. This analytical report must be reproduced in its entirety. All results listed in this report are for the exclusive use of the submitting party. Dellavalle Laboratory, Inc. assumes no responsibility for report alteration, separation, detachment or third party interpretation.

DocuSign Envelope ID: 26228352-B6C5-45F3-A8E2-AC36BDD2CE3E

DELLAVALLE LABORATORY, INC.

1910 W. McKinley Avenue, Suite 110 • Fresno, CA 93728
www.dellavallelab.com 559 233-6129 · 800 228-9896 · Fax 559 268-8174

2311067

09/15/23 16:13

F

Bill To: ASCT# 3 | Cons #

No. Samples: 4 No of Bottles:

Results Need By

Water Type: [X] Drinking Water [ ] Wastewater [ ] Ag Water [ ] Groundwater [ ] Monitoring Well

Name: Hath Dairy

Other:

Address:

City: **State:** CA **Zip:**

Telephone: **Fax:**

Cell/Email:

COPY TO: labs@fragservices.com
ariordan@fragservices.com krhodes@fragservices.com

REQUESTED BY: Leon Hath

PROJECT:

CROP:

[X] Copy of Chain [X] QA/QC Documents

Sampled By:

Analysis and Bottles Required: (*Please indicate Analysis*)

( ) DWW1: EC, NO_3-N NH4-N Field Test
(1-1 Liter Plastic, Unpreserved) White Per Sample

(X) DWW2: DWW1 Plus SO_4, CO_3, HCO_3, Cl, Ca, Mg, Na, TDS
(1-1 Liter Plastic, Unpreserved) White Per Sample

( ) DCW1: EC, NO_3-N, TKN, TN, TDS
(1-1 Liter Plastic, Unpreserved) White Per Sample

( ) DPW1: EC, NO_3-N, NH_4-N, TKN, TDS, TP, TK
(1-1 Liter Plastic, Unpreserved) White Per Sample

( ) DPW2: DPW1 Plus Ca, Mg, Na, HCO_3, CO_3, SO_4, Cl
(1-1 Liter Plastic, Unpreserved) White Per Sample

(X) Other + TN

	Description of Samples	Date Sampled	Time Sampled	Rec'd Temp °C	Field NH_4-N
1	Dom Tuff	9/13		6.9	
2	Dom vineyard			5.8	
3	Dom milk Barn			6.7	
4	Dom #1			6.1	
5					
6					
7	IR Thermometer SN: 200560723 · Correction Factor: 0°C · Calibration Due: 9/26/2023 · Location: Laboratory				
8					
9					
10					

CHAIN OF CUSTODY

Carrier	Signature	Company	Received (Date/Time)	Relinquished (Date/Time)
First		FR Ag Services	9/14 0900	9/14 1230
Second		DLL	9/15 2:20	9/15 4:15
Third				
Fourth		DLL	9.15.23 16:13	

I guarantee that as the client, or on behalf of client named, I have the authority to contract the above requested services. Should it be found that I do not have such authority, I agree to be personally liable for all costs and, if there should be action against me for this breach, reasonable attorneys' fees. It is understood that payment is expected to be cash with samples unless terms have been previously arranged. Terms are net 30 days; overdue accounts will be charged a liquidated damage fee of 2% per month (annually 24%) or $5.00 per month whichever is greater.

If payment is not made when due and a legitimate dispute exists concerning the product or services of Dellavalle Laboratory, Inc., it will be submitted to mediation under the Rules and Procedures of Creative Alternative to Litigation, Inc. (*cal*). If the dispute is not resolved in mediation, then the dispute will be submitted to binding arbitration through *cal* under its Rules and Procedures. The parties will equally bear the costs of mediation/arbitration. If, however, the mediator declares that no legitimate dispute exists, then debtor will pay all mediation and arbitration costs, and in the event of arbitration, reasonable attorneys' fees of Dellavalle Laboratory.

Invoicing Information: ***Shipping***

Sampling hrs $ In
Miles $ Out
Consulting

Amt Paid	Rec By	Check #	Date

Signature

Sample received in cooler with ice (coolant)
[ ] Yes [ ] No

X:\1-CLIENT CUSTOM FIELDSHEETS\FIELDSHEETS\Dairy Fieldsheets\[F & R Ag Services Water.xls]Dairy Water rev 2.8.18

DocuSign Envelope ID: 26228352-B6C5-45F3-A8E2-AC36BDD2CE3E

09/15/23 16:13 23I1067

pH Strips
Lot: 10BDH4501 Exp: Jan 2025

Shipping Information: Shipped In ☐ Picked-Up ☐ Walk In ☐ DLI Sampler ☑ Other ☐ _____

☐ Samples refridgerated before pick up | ☐ Picked up samples placed in Ice chest

Container: Ice Chest ☑ Box ☐ None ☐ | **Refrigerant:** Wet Ice ☑ Blue Ice ☐ None ☐

Samples Preserved with HNO_3 or H_2SO_4 were: ☐ Received Preserved ☑ Preserved Upon Receipt at Laboratory

Type of Container(s) Received		Sample Number 1	2	3	4	5	6	7	8	9	10
Sample Containers for Internal (DLI) Use *(Containers that go into the Lab)*											
Plastics	100 mL sterile plastic $Na_2S_2O_3$ (Green)										
Plastics	250 mL unpreserved (White) Plastic										
Plastics	250 mL HNO_3 (Red) Plastic										
Plastics	* pH Value										
Plastics	250 mL H_2SO_4 (Yellow) Plastic	1	1	1	1						
Plastics	* pH Value	<2	<2	<2	<2						
Plastics	500 mL unpreserved (White) Plastic										
Plastics	1 L unpreserved (White) Plastic	1	1	1	1						
Plastics	1 L unpreserved (BOD) (Purple) Plastic										
Special	500mL unpreserved (White) Glass										
Special	PO4-P Kit										
Special	**Other:**										
Sample Containers for Subcontracted ("Send Out") Analyses *(Containers that go in the Subcontract ("Send Out") Refrigerator)*											
Plastics	100 mL sterile plastic $Na_2S_2O_3$ (Green)										
Plastics	250 mL unpreserved (White) Plastic										
Plastics	250 mL HNO_3 (Red) Plastic										
Plastics	250 mL H_2SO_4 (Yellow) Plastic										
Plastics	500 mL HNO_3 (Red)										
Plastics	1 L unpreserved (White) Plastic										
Plastics	1 L unpreserved (BOD) (Purple) Plastic										
Plastics	1 L HNO_3 (Red)										
VOA Vials	40 mL VOA, $Na_2S_2O_3$ + MCAA (EPA531)										
VOA Vials	40 mL VOA, $Na_2S_2O_3$ (EPA547)										
VOA Vials	40mL AG VOA unpreserved (White) (Set of 3)										
VOA Vials	40 mL AG VOA, $Na_2S_2O_3$ (Green) (Set of 3)										
VOA Vials	40mL VOA, H_3PO_4 (Set of 3)										
VOA Vials	40 mL VOA, HCl (Blue) (Set of 3)										
VOA Vials	40 mL VOA, $Na_2S_2O_3$ (Green) (Set of 3)										
Glass	250 mL AG unpreserved (White)										
Glass	250 mL AG H_2SO_4 (Yellow)										
Glass	250 mL AG $Na_2S_2O_3$ (Green)										
Glass	250 mL AG $Na_2S_2O_3$ + MCAA										
Glass	500 mL glass unpreserved (White)										
Glass	500 mL AG HCl (Blue)										
Glass	1 L AG unpreserved (White)										
Glass	1 L AG H_2SO_4 (Yellow)										
Glass	1 L AG $Na_2S_2O_3$ (Green)										
Glass	1 L AG HCl (Blue)										
Special	Cr^{6+} - 50mL Plastic w/Borate/HCO_3/CO_3										
Special	Cyanide - 500 mL NaOH										
Special	Asbestos - 1L P wrapped in foil (Set of 2)										
Special	Sulfide - 1 L **AG** or **P** NaOH + ZnAc										
Special	Chlorite/Bromate - 250 mL AG with EDA										
Special	HAA5 - 250mL AG Ammonium Chlorite										
Special	DO KIT										
Special	**Other:**										
Special	**Other:**										

SEND OUT