CALIFORNIA REGIONAL WATER QUALITY CONTROL BOARD

CENTRAL VALLEY REGION
11020 SUN CENTER DR #200
RANCHO CORDOVA CA 95670-6114

2023 ANNUAL REPORT

PREPARED FOR:

ANTONE GOMES & SONS DAIRY

515 E STUHR RD

NEWMAN CA 95360

NOTES:

PREPARED BY:

CAS
CARDOSO AG SERVICES

PO BOX 906
NEWMAN CA 95360

Annual Report - General Order No. R5-2007-0035
Reporting period 01/01/2023 to 12/31/2023.

DAIRY FACILITY INFORMATION

A. NAME OF DAIRY OR BUSINESS OPERATING THE DAIRY: ANTONE L. GOMES & SONS

Physical address of dairy:

Number and Street	City	County	Zip Code
515 E STUHR RD	NEWMAN	Stanislaus	95360

Street and nearest cross street (if no address):

Date facility was originally placed in operation: 05/10/1948

Regional Water Quality Control Board Basin Plan designation: San Joaquin River Basin

County Assessor Parcel Number(s) for dairy facility:

X049-X026-X002-XXXX X049-X031-X001-XXXX X049-X031-X006-XXXX

B. OPERATORS

Gomes, Don

Operator name: Gomes, Don
Telephone no.: (209) 765-1273 (Landline) (Cellular)

Mailing Address Number and Street	City	State	Zip Code
515 E Stuhr Rd	Newman	CA	95360

This operator is responsible for paying permit fees.

Gomes, Leonard

Operator name: Gomes, Leonard
Telephone no.: (209) 862-2542 (Landline) (Cellular)

Mailing Address Number and Street	City	State	Zip Code
515 E Stuhr RD	Newman	CA	95360

Gomes, Mary

Operator name: Gomes, Mary
Telephone no.: (209) 862-2542 (Landline) (Cellular)

Mailing Address Number and Street	City	State	Zip Code
515 E Stuhr RD	Newman	CA	95360

C. OWNERS

Gomes, Don

Legal owner name: Gomes, Don
Telephone no.: (209) 765-1273 (Landline) (Cellular)

515 E Stuhr Rd | Newman | CA | 95360
Mailing Address Number and Street | City | State | Zip Code

This owner is responsible for paying permit fees.

Gomes, Leonard

Legal owner name: Gomes, Leonard
Telephone no.: (209) 862-2542 (Landline) (Cellular)

515 E Stuhr RD | Newman | CA | 95360
Mailing Address Number and Street | City | State | Zip Code

Gomes, Mary

Legal owner name: Gomes, Mary
Telephone no.: (209) 862-2542 (Landline) (Cellular)

515 E Stuhr RD | Newman | CA | 95360
Mailing Address Number and Street | City | State | Zip Code

Annual Report - General Order No. R5-2007-0035
Reporting period 01/01/2023 to 12/31/2023.

AVAILABLE NUTRIENTS

A. HERD INFORMATION

	Milk Cows	Dry Cows	Bred Heifers (15-24 mo.)	Heifers (7-14 mo. to breeding)	Calves (4-6 mo.)	Calves (0-3 mo.)
Number open confinement	0	50	45	170	0	0
Number under roof	585	0	0	0	45	72
Maximum number	585	50	45	170	45	72
Average number	585	50	45	170	45	72
Avg live weight (lbs)	1,400	1,450	900	650		

Predominant milk cow breed: Holstein

Average milk production: 76 *pounds per cow per day*

B. MANURE GENERATED

Total manure excreted by the herd: 18,594.08 *tons per reporting period*

Total nitrogen from manure: 237,090.51 *lbs per reporting period*

After ammonia losses (30% loss applied): 165,963.36 *lbs per reporting period*

Total phosphorus from manure: 39,285.54 *lbs per reporting period*

Total potassium from manure: 114,338.97 *lbs per reporting period*

Total salt from manure: 286,944.75 *lbs per reporting period*

C. PROCESS WASTEWATER GENERATED

Process wastewater generated: 7,635,429 *gallons*

Total nitrogen generated: 41,877.00 *lbs*

Total phosphorus generated: 5,362.38 *lbs*

Total potassium generated: 77,011.17 *lbs*

Total salt generated: 327,605.08 *lbs*

	7,635,429	*gallons applied*
+	0	*gallons exported*
-	0	*gallons imported*
=	7,635,429	*gallons generated*

D. FRESH WATER SOURCES

Source Description	Type
Canal	Surface water
Domestic Well	Ground water

E. SUBSURFACE (TILE) DRAINAGE SOURCES

No subsurface (tile) drainage sources entered.

F. NUTRIENT IMPORTS

No dry manure nutrient imports entered.

No process wastewater nutrient imports entered.

No commercial or other nutrient imports entered.

G. NUTRIENT EXPORTS

Date	Material type	Quantity	Reporting basis	Moisture (%)	Density (lbs/cu ft)	N (mg/kg)	P (mg/kg)	K (mg/kg)	Salt (mg/kg)	TFS (%)
06/02/2023	Compost	1,236.00 *ton*	Dry-weight	59.6		21,700.00	4,100.00	8,600.00		0.00
10/17/2023	Separator solids	1,166.00 *ton*	Dry-weight	79.5		23,200.00	4,000.00	7,800.00		0.00

No liquid nutrient exports entered.

Material type	Total N (lbs)	Total P (lbs)	Total K (lbs)	Total salt (lbs)
Dry manure	32,762.52	6,006.86	12,317.58	0.00
Process wastewater	0.00	0.00	0.00	0.00
Total exports for all materials	32,762.52	6,006.86	12,317.58	0.00

APPLICATION AREA

A. LIST OF LAND APPLICATION AREAS

Field name	Controlled acres	Cropable acres	Total harvests	Type of waste applied	Parcel number
Freitas	60	60	2	manure	X049-X026-X002-XXXX
Home	5	5	2	process wastewater	X049-X031-X001-XXXX
The 80	79	79	2	process wastewater	X049-X031-X006-XXXX
Totals for areas that were used for application	144	144	6		
Totals for areas that were not used for application					
Land application area totals	144	144	6		

B. CROPS AND HARVESTS

Freitas

Field name: Freitas

11/06/2022: Oats, silage-soft dough

Crop: Oats, silage-soft dough Acres planted: 60 Plant date: 11/06/2022

Harvest date	Yield	Reporting basis	Density (lbs/cu ft)	Moisture (%)	N (mg/kg)	P (mg/kg)	K (mg/kg)	Salt (mg/kg)	TFS (%)
05/24/2023	1,053.00 *ton*	Dry-weight		64.9	9,500.00	2,700.00	18,300.00		9.35

	Yield (tons/acre)	Total N (lbs/acre)	Total P (lbs/acre)	Total K (lbs/acre)	Salt (lbs/acre)
Anticipated harvest content	16.00	160.00	25.60	132.80	0.00
Total actual harvest content	17.55	117.04	33.26	225.46	1,151.93

06/22/2023: Corn, silage

Crop: Corn, silage Acres planted: 60 Plant date: 06/22/2023

Harvest date	Yield	Reporting basis	Density (lbs/cu ft)	Moisture (%)	N (mg/kg)	P (mg/kg)	K (mg/kg)	Salt (mg/kg)	TFS (%)
10/30/2023	1,228.00 *ton*	Dry-weight		66.1	10,350.00	2,550.00	8,650.00		4.60

	Yield (tons/acre)	Total N (lbs/acre)	Total P (lbs/acre)	Total K (lbs/acre)	Salt (lbs/acre)
Anticipated harvest content	30.00	240.00	45.00	198.00	0.00
Total actual harvest content	20.47	143.62	35.38	120.03	638.31

Home

Field name: Home

11/08/2022: Oats, silage-soft dough

Crop: Oats, silage-soft dough Acres planted: 5 Plant date: 11/08/2022

Harvest date	Yield	Reporting basis	Density (lbs/cu ft)	Moisture (%)	N (mg/kg)	P (mg/kg)	K (mg/kg)	Salt (mg/kg)	TFS (%)
05/23/2023	104.00 *ton*	Dry-weight		65.6	7,300.00	2,200.00	14,000.00		7.60

	Yield (tons/acre)	Total N (lbs/acre)	Total P (lbs/acre)	Total K (lbs/acre)	Salt (lbs/acre)
Anticipated harvest content	16.00	160.00	25.60	132.80	0.00
Total actual harvest content	20.80	104.47	31.48	200.35	1,087.59

06/21/2023: Corn, silage

Crop: Corn, silage Acres planted: 5 Plant date: 06/21/2023

Harvest date	Yield	Reporting basis	Density (lbs/cu ft)	Moisture (%)	N (mg/kg)	P (mg/kg)	K (mg/kg)	Salt (mg/kg)	TFS (%)
10/13/2023	170.00 *ton*	Dry-weight		68.0	11,400.00	2,900.00	16,200.00		5.40

	Yield (tons/acre)	Total N (lbs/acre)	Total P (lbs/acre)	Total K (lbs/acre)	Salt (lbs/acre)
Anticipated harvest content	30.00	240.00	45.00	198.00	0.00
Total actual harvest content	34.00	248.06	63.10	352.51	1,175.04

The 80

Field name: The 80

10/31/2022: Oats, silage-soft dough

Crop: Oats, silage-soft dough Acres planted: 79 Plant date: 10/31/2022

Harvest date	Yield	Reporting basis	Density (lbs/cu ft)	Moisture (%)	N (mg/kg)	P (mg/kg)	K (mg/kg)	Salt (mg/kg)	TFS (%)
05/23/2023	1,642.00 *ton*	Dry-weight		65.5	17,150.00	3,650.00	30,300.00		10.40

	Yield (tons/acre)	Total N (lbs/acre)	Total P (lbs/acre)	Total K (lbs/acre)	Salt (lbs/acre)
Anticipated harvest content	16.00	160.00	25.60	132.80	0.00
Total actual harvest content	20.78	245.96	52.35	434.55	1,491.52

The 80

06/20/2023: Corn, silage

Crop: Corn, silage Acres planted: 79 Plant date: 06/20/2023

Harvest date	Yield	Reporting basis	Density (lbs/cu ft)	Moisture (%)	N (mg/kg)	P (mg/kg)	K (mg/kg)	Salt (mg/kg)	TFS (%)
10/13/2023	1,522.00 *ton*	Dry-weight		67.8	12,000.00	2,500.00	11,900.00		4.80

	Yield (tons/acre)	Total N (lbs/acre)	Total P (lbs/acre)	Total K (lbs/acre)	Salt (lbs/acre)
Anticipated harvest content	30.00	240.00	45.00	198.00	0.00
Total actual harvest content	19.27	148.89	31.02	147.65	595.55

NUTRIENT BUDGET

A. LAND APPLICATIONS

Freitas - 11/06/2022: Oats, silage-soft dough

Field name: Freitas

Crop: Oats, silage-soft dough — Plant date: 11/06/2022

Application date	Application method	Precipitation 24 hours prior	Precipitation during application	Precipitation 24 hours following
10/15/2022	Broadcast/incorporate	No precipitation	No precipitation	No precipitation

Source description	Material type	N (lbs/acre)	P (lbs/acre)	K (lbs/acre)	Salt (lbs/acre)	Amount
Manure	Separator solids	150.90	60.47	84.88	2,635.28	403.00 *ton*
Application event totals		150.90	60.47	84.88	2,635.28	

Application date	Application method	Precipitation 24 hours prior	Precipitation during application	Precipitation 24 hours following
11/02/2022	Surface (irrigation)	No precipitation	No precipitation	No precipitation

Source description	Material type	N (lbs/acre)	P (lbs/acre)	K (lbs/acre)	Salt (lbs/acre)	Amount
Canal	Surface water	0.74	0.00	0.00	210.39	7,563,596.00 *gal*
Application event totals		0.74	0.00	0.00	210.39	

Application date	Application method	Precipitation 24 hours prior	Precipitation during application	Precipitation 24 hours following
11/14/2022	Surface (irrigation)	No precipitation	No precipitation	No precipitation

Source description	Material type	N (lbs/acre)	P (lbs/acre)	K (lbs/acre)	Salt (lbs/acre)	Amount
Canal	Surface water	1.63	0.00	0.00	464.60	16,702,375.00 *gal*
Application event totals		1.63	0.00	0.00	464.60	

Freitas - 06/22/2023: Corn, silage

Field name: Freitas

Crop: Corn, silage — Plant date: 06/22/2023

Application date	Application method	Precipitation 24 hours prior	Precipitation during application	Precipitation 24 hours following
06/01/2023	Broadcast/incorporate	No precipitation	No precipitation	No precipitation

Source description	Material type	N (lbs/acre)	P (lbs/acre)	K (lbs/acre)	Salt (lbs/acre)	Amount
Manure	Compost	175.34	33.13	69.49	0.00	600.00 *ton*
Application event totals		175.34	33.13	69.49	0.00	

Freitas - 06/22/2023: Corn, silage

Application date	Application method	Precipitation 24 hours prior	Precipitation during application	Precipitation 24 hours following
06/08/2023	Surface (irrigation)	No precipitation	No precipitation	No precipitation

Source description	Material type	N (lbs/acre)	P (lbs/acre)	K (lbs/acre)	Salt (lbs/acre)	Amount
Canal	Surface water	1.18	0.00	0.00	337.31	12,126,196.00 *gal*
Application event totals		1.18	0.00	0.00	337.31	

Application date	Application method	Precipitation 24 hours prior	Precipitation during application	Precipitation 24 hours following
06/17/2023	Surface (irrigation)	No precipitation	No precipitation	No precipitation

Source description	Material type	N (lbs/acre)	P (lbs/acre)	K (lbs/acre)	Salt (lbs/acre)	Amount
Canal	Surface water	1.35	0.00	0.00	385.28	13,850,750.00 *gal*
Application event totals		1.35	0.00	0.00	385.28	

Application date	Application method	Precipitation 24 hours prior	Precipitation during application	Precipitation 24 hours following
07/25/2023	Surface (irrigation)	No precipitation	No precipitation	No precipitation

Source description	Material type	N (lbs/acre)	P (lbs/acre)	K (lbs/acre)	Salt (lbs/acre)	Amount
Canal	Surface water	1.08	0.00	0.00	308.98	11,107,758.00 *gal*
Application event totals		1.08	0.00	0.00	308.98	

Application date	Application method	Precipitation 24 hours prior	Precipitation during application	Precipitation 24 hours following
08/08/2023	Surface (irrigation)	No precipitation	No precipitation	No precipitation

Source description	Material type	N (lbs/acre)	P (lbs/acre)	K (lbs/acre)	Salt (lbs/acre)	Amount
Canal	Surface water	1.64	0.00	0.00	467.63	16,811,008.00 *gal*
Application event totals		1.64	0.00	0.00	467.63	

Application date	Application method	Precipitation 24 hours prior	Precipitation during application	Precipitation 24 hours following
08/21/2023	Surface (irrigation)	No precipitation	No precipitation	No precipitation

Source description	Material type	N (lbs/acre)	P (lbs/acre)	K (lbs/acre)	Salt (lbs/acre)	Amount
Canal	Surface water	1.54	0.00	0.00	441.19	15,860,467.00 *gal*
Application event totals		1.54	0.00	0.00	441.19	

Application date	Application method	Precipitation 24 hours prior	Precipitation during application	Precipitation 24 hours following
09/04/2023	Surface (irrigation)	No precipitation	No precipitation	No precipitation

Source description	Material type	N (lbs/acre)	P (lbs/acre)	K (lbs/acre)	Salt (lbs/acre)	Amount
Canal	Surface water	1.78	0.00	0.00	509.93	18,331,875.00 *gal*
Application event totals		1.78	0.00	0.00	509.93	

Freitas - 06/22/2023: Corn, silage

Application date	Application method	Precipitation 24 hours prior	Precipitation during application	Precipitation 24 hours following
09/20/2023	Surface (irrigation)	No precipitation	No precipitation	No precipitation

Source description	Material type	N (lbs/acre)	P (lbs/acre)	K (lbs/acre)	Salt (lbs/acre)	Amount
Canal	Surface water	0.63	0.00	0.00	180.93	6,504,421.00 *gal*
Application event totals		0.63	0.00	0.00	180.93	

Home - 11/08/2022: Oats, silage-soft dough

Field name: Home

Crop: Oats, silage-soft dough

Plant date: 11/08/2022

Application date	Application method	Precipitation 24 hours prior	Precipitation during application	Precipitation 24 hours following
11/02/2022	Surface (irrigation)	No precipitation	No precipitation	No precipitation

Source description	Material type	N (lbs/acre)	P (lbs/acre)	K (lbs/acre)	Salt (lbs/acre)	Amount
Canal	Surface water	0.74	0.00	0.00	210.39	630,300.00 *gal*
Application event totals		0.74	0.00	0.00	210.39	

11/14/2022	Surface (irrigation)	No precipitation	No precipitation	No precipitation

Source description	Material type	N (lbs/acre)	P (lbs/acre)	K (lbs/acre)	Salt (lbs/acre)	Amount
Lagoon	Process wastewater	58.25	5.47	79.40	459.93	42,857.00 *gal*
Canal	Surface water	1.63	0.00	0.00	464.60	1,391,865.00 *gal*
Application event totals		59.87	5.47	79.40	924.53	

03/20/2023	Surface (irrigation)	No precipitation	No precipitation	No precipitation

Source description	Material type	N (lbs/acre)	P (lbs/acre)	K (lbs/acre)	Salt (lbs/acre)	Amount
Lagoon	Process wastewater	73.71	9.70	132.61	691.40	77,143.00 *gal*
Application event totals		73.71	9.70	132.61	691.40	

Home - 06/21/2023: Corn, silage

Field name: Home

Crop: Corn, silage

Plant date: 06/21/2023

Home - 06/21/2023: Corn, silage

Application date	Application method	Precipitation 24 hours prior	Precipitation during application	Precipitation 24 hours following
06/08/2023	Surface (irrigation)	No precipitation	No precipitation	No precipitation

Source description	Material type	N (lbs/acre)	P (lbs/acre)	K (lbs/acre)	Salt (lbs/acre)	Amount
Canal	Surface water	1.18	0.00	0.00	337.31	1,010,516.00 *gal*
Application event totals		1.18	0.00	0.00	337.31	

Application date	Application method	Precipitation 24 hours prior	Precipitation during application	Precipitation 24 hours following
06/17/2023	Surface (irrigation)	No precipitation	No precipitation	No precipitation

Source description	Material type	N (lbs/acre)	P (lbs/acre)	K (lbs/acre)	Salt (lbs/acre)	Amount
Canal	Surface water	1.35	0.00	0.00	385.28	1,154,229.00 *gal*
Application event totals		1.35	0.00	0.00	385.28	

Application date	Application method	Precipitation 24 hours prior	Precipitation during application	Precipitation 24 hours following
07/25/2023	Surface (irrigation)	No precipitation	No precipitation	No precipitation

Source description	Material type	N (lbs/acre)	P (lbs/acre)	K (lbs/acre)	Salt (lbs/acre)	Amount
Canal	Surface water	1.08	0.00	0.00	308.98	925,647.00 *gal*
Application event totals		1.08	0.00	0.00	308.98	

Application date	Application method	Precipitation 24 hours prior	Precipitation during application	Precipitation 24 hours following
08/08/2023	Surface (irrigation)	No precipitation	No precipitation	No precipitation

Source description	Material type	N (lbs/acre)	P (lbs/acre)	K (lbs/acre)	Salt (lbs/acre)	Amount
Lagoon	Process wastewater	76.74	12.12	180.25	364.80	64,286.00 *gal*
Canal	Surface water	1.64	0.00	0.00	467.63	1,400,917.00 *gal*
Application event totals		78.37	12.12	180.25	832.42	

Application date	Application method	Precipitation 24 hours prior	Precipitation during application	Precipitation 24 hours following
08/21/2023	Surface (irrigation)	No precipitation	No precipitation	No precipitation

Source description	Material type	N (lbs/acre)	P (lbs/acre)	K (lbs/acre)	Salt (lbs/acre)	Amount
Lagoon	Process wastewater	92.08	14.55	216.30	437.76	77,143.00 *gal*
Canal	Surface water	1.54	0.00	0.00	441.19	1,321,706.00 *gal*
Application event totals		93.63	14.55	216.30	878.94	

Home - 06/21/2023: Corn, silage

Application date	Application method	Precipitation 24 hours prior	Precipitation during application	Precipitation 24 hours following
09/04/2023	Surface (irrigation)	No precipitation	No precipitation	No precipitation

Source description	Material type	N (lbs/acre)	P (lbs/acre)	K (lbs/acre)	Salt (lbs/acre)	Amount
Lagoon	Process wastewater	92.08	14.55	216.30	437.76	77,143.00 *gal*
Canal	Surface water	1.78	0.00	0.00	509.93	1,527,656.00 *gal*
Application event totals		93.87	14.55	216.30	947.69	

Application date	Application method	Precipitation 24 hours prior	Precipitation during application	Precipitation 24 hours following
09/20/2023	Surface (irrigation)	No precipitation	No precipitation	No precipitation

Source description	Material type	N (lbs/acre)	P (lbs/acre)	K (lbs/acre)	Salt (lbs/acre)	Amount
Lagoon	Process wastewater	61.39	9.70	144.20	291.84	51,429.00 *gal*
Canal	Surface water	0.63	0.00	0.00	180.93	542,035.00 *gal*
Application event totals		62.02	9.70	144.20	472.77	

The 80 - 10/31/2022: Oats, silage-soft dough

Field name: The 80

Crop: Oats, silage-soft dough

Plant date: 10/31/2022

Application date	Application method	Precipitation 24 hours prior	Precipitation during application	Precipitation 24 hours following
11/02/2022	Surface (irrigation)	No precipitation	No precipitation	No precipitation

Source description	Material type	N (lbs/acre)	P (lbs/acre)	K (lbs/acre)	Salt (lbs/acre)	Amount
Canal	Surface water	0.74	0.00	0.00	210.39	9,958,735.00 *gal*
Application event totals		0.74	0.00	0.00	210.39	

Application date	Application method	Precipitation 24 hours prior	Precipitation during application	Precipitation 24 hours following
11/14/2022	Surface (irrigation)	No precipitation	No precipitation	No precipitation

Source description	Material type	N (lbs/acre)	P (lbs/acre)	K (lbs/acre)	Salt (lbs/acre)	Amount
Lagoon	Process wastewater	128.14	12.04	174.67	1,011.84	1,489,714.00 *gal*
Canal	Surface water	1.63	0.00	0.00	464.60	21,991,460.00 *gal*
Application event totals		129.77	12.04	174.67	1,476.45	

The 80 - 10/31/2022: Oats, silage-soft dough

Application date	Application method	Precipitation 24 hours prior	Precipitation during application	Precipitation 24 hours following
03/09/2023	Surface (irrigation)	No precipitation	No precipitation	No precipitation

Source description	Material type	N (lbs/acre)	P (lbs/acre)	K (lbs/acre)	Salt (lbs/acre)	Amount
Lagoon	Process wastewater	81.90	10.77	147.35	768.22	1,354,286.00 *gal*
Application event totals		81.90	10.77	147.35	768.22	

Application date	Application method	Precipitation 24 hours prior	Precipitation during application	Precipitation 24 hours following
03/20/2023	Surface (irrigation)	No precipitation	No precipitation	No precipitation

Source description	Material type	N (lbs/acre)	P (lbs/acre)	K (lbs/acre)	Salt (lbs/acre)	Amount
Lagoon	Process wastewater	81.90	10.77	147.35	768.22	1,354,286.00 *gal*
Application event totals		81.90	10.77	147.35	768.22	

Application date	Application method	Precipitation 24 hours prior	Precipitation during application	Precipitation 24 hours following
04/03/2023	Surface (irrigation)	No precipitation	No precipitation	No precipitation

Source description	Material type	N (lbs/acre)	P (lbs/acre)	K (lbs/acre)	Salt (lbs/acre)	Amount
Lagoon	Process wastewater	35.43	4.25	69.24	317.59	541,714.00 *gal*
Application event totals		35.43	4.25	69.24	317.59	

The 80 - 06/20/2023: Corn, silage

Field name: The 80

Crop: Corn, silage

Plant date: 06/20/2023

Application date	Application method	Precipitation 24 hours prior	Precipitation during application	Precipitation 24 hours following
06/08/2023	Surface (irrigation)	No precipitation	No precipitation	No precipitation

Source description	Material type	N (lbs/acre)	P (lbs/acre)	K (lbs/acre)	Salt (lbs/acre)	Amount
Canal	Surface water	1.18	0.00	0.00	337.31	15,966,158.00 *gal*
Application event totals		1.18	0.00	0.00	337.31	

Application date	Application method	Precipitation 24 hours prior	Precipitation during application	Precipitation 24 hours following
06/17/2023	Surface (irrigation)	No precipitation	No precipitation	No precipitation

Source description	Material type	N (lbs/acre)	P (lbs/acre)	K (lbs/acre)	Salt (lbs/acre)	Amount
Canal	Surface water	1.35	0.00	0.00	385.28	18,236,821.00 *gal*
Application event totals		1.35	0.00	0.00	385.28	

The 80 - 06/20/2023: Corn, silage

Application date	Application method	Precipitation 24 hours prior	Precipitation during application	Precipitation 24 hours following
07/25/2023	Surface (irrigation)	No precipitation	No precipitation	No precipitation

Source description	Material type	N (lbs/acre)	P (lbs/acre)	K (lbs/acre)	Salt (lbs/acre)	Amount
Canal	Surface water	1.08	0.00	0.00	308.98	14,625,215.00 *gal*
Application event totals		1.08	0.00	0.00	308.98	

08/08/2023	Surface (irrigation)	No precipitation	No precipitation	No precipitation

Source description	Material type	N (lbs/acre)	P (lbs/acre)	K (lbs/acre)	Salt (lbs/acre)	Amount
Lagoon	Process wastewater	61.43	8.08	110.51	576.16	1,015,714.00 *gal*
Canal	Surface water	1.64	0.00	0.00	467.63	22,134,494.00 *gal*
Application event totals		63.06	8.08	110.51	1,043.79	

08/21/2023	Surface (irrigation)	No precipitation	No precipitation	No precipitation

Source description	Material type	N (lbs/acre)	P (lbs/acre)	K (lbs/acre)	Salt (lbs/acre)	Amount
Canal	Surface water	1.54	0.00	0.00	441.19	20,882,948.00 *gal*
Application event totals		1.54	0.00	0.00	441.19	

09/04/2023	Surface (irrigation)	No precipitation	No precipitation	No precipitation

Source description	Material type	N (lbs/acre)	P (lbs/acre)	K (lbs/acre)	Salt (lbs/acre)	Amount
Lagoon	Process wastewater	61.39	9.70	144.20	291.84	812,571.00 *gal*
Canal	Surface water	1.78	0.00	0.00	509.93	24,136,969.00 *gal*
Application event totals		63.17	9.70	144.20	801.77	

09/20/2023	Surface (irrigation)	No precipitation	No precipitation	No precipitation

Source description	Material type	N (lbs/acre)	P (lbs/acre)	K (lbs/acre)	Salt (lbs/acre)	Amount
Lagoon	Process wastewater	51.16	8.08	120.17	243.20	677,143.00 *gal*
Canal	Surface water	0.63	0.00	0.00	180.93	8,564,154.00 *gal*
Application event totals		51.79	8.08	120.17	424.13	

B. NUTRIENT BUDGET

Freitas - 11/06/2022: Oats, silage-soft dough

Field name: Freitas | Crop: Oats, silage-soft dough | Plant date: 11/06/2022

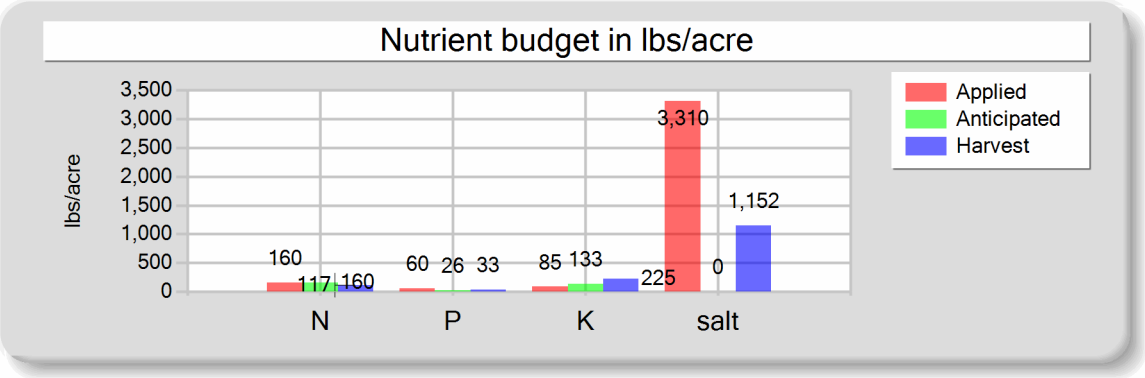

	Total N (lbs/acre)	Total P (lbs/acre)	Total K (lbs/acre)	Total salt (lbs/acre)
Existing soil nutrient content	0.00	0.00	0.00	0.00
Plowdown credit	0.00	0.00	0.00	0.00
Commercial fertilizer / Other	0.00	0.00	0.00	0.00
Dry manure	150.90	60.47	84.88	2,635.28
Process wastewater	0.00	0.00	0.00	0.00
Fresh water	2.36	0.00	0.00	675.00
Atmospheric deposition	7.00	0.00	0.00	0.00
Total nutrients applied	160.27	60.47	84.88	3,310.28
Anticipated crop nutrient removal	160.00	25.60	132.80	0.00
Actual crop nutrient removal	117.04	33.26	225.46	1,151.93
Nutrient balance	43.23	27.21	-140.57	2,158.35
Applied to removed ratio	1.37	1.82	0.38	2.87

Fresh water applied	
24,265,971.00	*gallons*
893.63	*acre-inches*
14.89	*inches/acre*

Process wastewater applied	
0.00	*gallons*
0.00	*acre-inches*
0.00	*inches/acre*

Total harvests for the crop	
1	*harvests*

Freitas - 06/22/2023: Corn, silage

Field name: Freitas Crop: Corn, silage Plant date: 06/22/2023

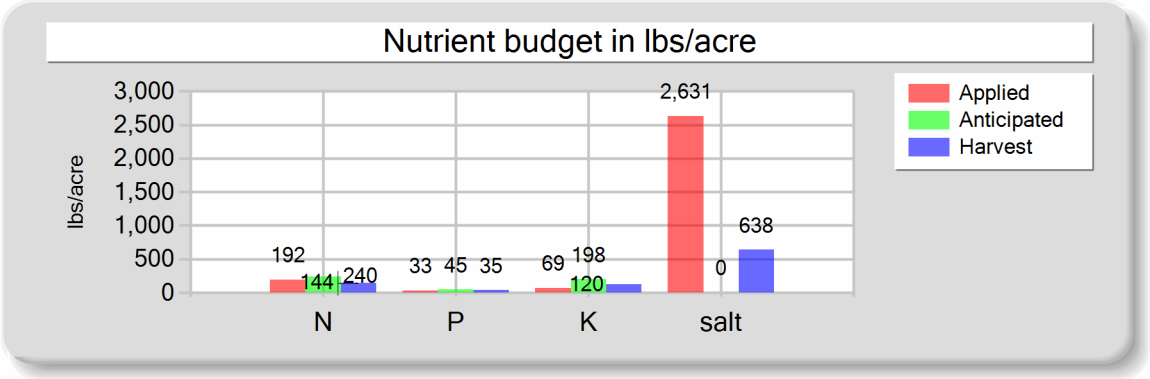

	Total N (lbs/acre)	Total P (lbs/acre)	Total K (lbs/acre)	Total salt (lbs/acre)
Existing soil nutrient content	0.00	0.00	0.00	0.00
Plowdown credit	0.00	0.00	0.00	0.00
Commercial fertilizer / Other	0.00	0.00	0.00	0.00
Dry manure	175.34	33.13	69.49	0.00
Process wastewater	0.00	0.00	0.00	0.00
Fresh water	9.21	0.00	0.00	2,631.25
Atmospheric deposition	7.00	0.00	0.00	0.00
Total nutrients applied	191.55	33.13	69.49	2,631.25
Anticipated crop nutrient removal	240.00	45.00	198.00	0.00
Actual crop nutrient removal	143.62	35.38	120.03	638.31
Nutrient balance	47.92	-2.26	-50.54	1,992.93
Applied to removed ratio	1.33	0.94	0.58	4.12

Fresh water applied	
94,592,475.00	*gallons*
3,483.52	*acre-inches*
58.06	*inches/acre*

Process wastewater applied	
0.00	*gallons*
0.00	*acre-inches*
0.00	*inches/acre*

Total harvests for the crop	
1	*harvests*

Home - 11/08/2022: Oats, silage-soft dough

Field name: Home | Crop: Oats, silage-soft dough | Plant date: 11/08/2022

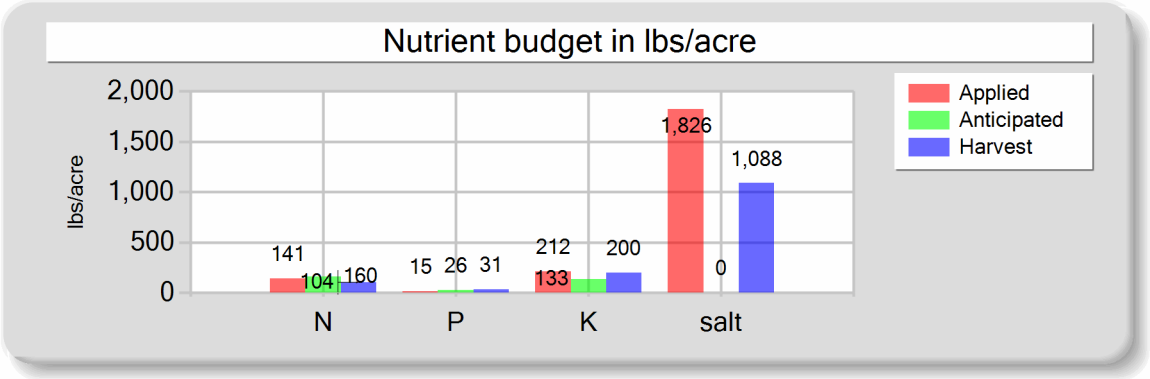

	Total N (lbs/acre)	Total P (lbs/acre)	Total K (lbs/acre)	Total salt (lbs/acre)
Existing soil nutrient content	0.00	0.00	0.00	0.00
Plowdown credit	0.00	0.00	0.00	0.00
Commercial fertilizer / Other	0.00	0.00	0.00	0.00
Dry manure	0.00	0.00	0.00	0.00
Process wastewater	131.96	15.17	212.01	1,151.32
Fresh water	2.36	0.00	0.00	675.00
Atmospheric deposition	7.00	0.00	0.00	0.00
Total nutrients applied	141.32	15.17	212.01	1,826.32
Anticipated crop nutrient removal	160.00	25.60	132.80	0.00
Actual crop nutrient removal	104.47	31.48	200.35	1,087.59
Nutrient balance	36.85	-16.32	11.67	738.73
Applied to removed ratio	1.35	0.48	1.06	1.68

Fresh water applied	
2,022,165.00	*gallons*
74.47	*acre-inches*
14.89	*inches/acre*

Process wastewater applied	
120,000.00	*gallons*
4.42	*acre-inches*
0.88	*inches/acre*

Total harvests for the crop	
1	*harvests*

Home - 06/21/2023: Corn, silage

Field name: Home | Crop: Corn, silage | Plant date: 06/21/2023

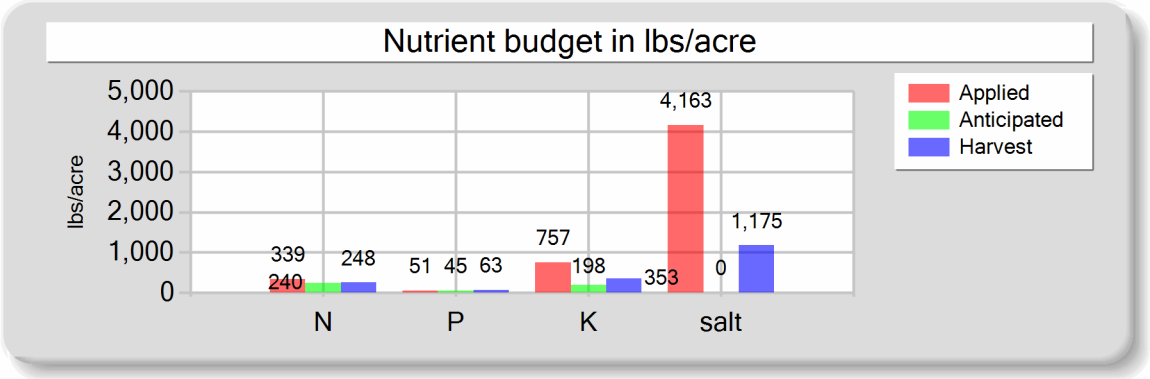

	Total N (lbs/acre)	Total P (lbs/acre)	Total K (lbs/acre)	Total salt (lbs/acre)
Existing soil nutrient content	0.00	0.00	0.00	0.00
Plowdown credit	0.00	0.00	0.00	0.00
Commercial fertilizer / Other	0.00	0.00	0.00	0.00
Dry manure	0.00	0.00	0.00	0.00
Process wastewater	322.29	50.92	757.06	1,532.15
Fresh water	9.21	0.00	0.00	2,631.25
Atmospheric deposition	7.00	0.00	0.00	0.00
Total nutrients applied	338.50	50.92	757.06	4,163.39
Anticipated crop nutrient removal	240.00	45.00	198.00	0.00
Actual crop nutrient removal	248.06	63.10	352.51	1,175.04
Nutrient balance	90.44	-12.18	404.55	2,988.35
Applied to removed ratio	1.36	0.81	2.15	3.54

Fresh water applied	
7,882,706.00	*gallons*
290.29	*acre-inches*
58.06	*inches/acre*

Process wastewater applied	
270,001.00	*gallons*
9.94	*acre-inches*
1.99	*inches/acre*

Total harvests for the crop	
1	*harvests*

The 80 - 10/31/2022: Oats, silage-soft dough

Field name: The 80 Crop: Oats, silage-soft dough Plant date: 10/31/2022

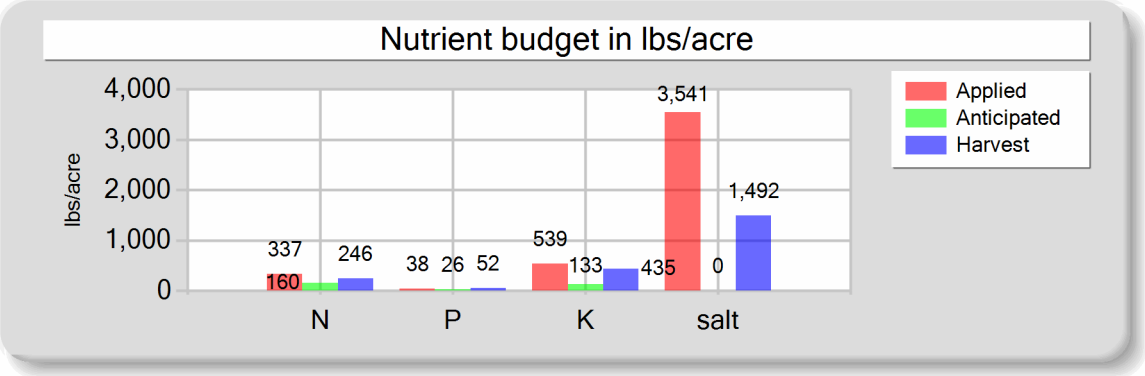

	Total N (lbs/acre)	Total P (lbs/acre)	Total K (lbs/acre)	Total salt (lbs/acre)
Existing soil nutrient content	0.00	0.00	0.00	0.00
Plowdown credit	0.00	0.00	0.00	0.00
Commercial fertilizer / Other	0.00	0.00	0.00	0.00
Dry manure	0.00	0.00	0.00	0.00
Process wastewater	327.37	37.83	538.61	2,865.86
Fresh water	2.36	0.00	0.00	675.00
Atmospheric deposition	7.00	0.00	0.00	0.00
Total nutrients applied	336.73	37.83	538.61	3,540.86
Anticipated crop nutrient removal	160.00	25.60	132.80	0.00
Actual crop nutrient removal	245.96	52.35	434.55	1,491.52
Nutrient balance	90.77	-14.51	104.06	2,049.34
Applied to removed ratio	1.37	0.72	1.24	2.37

Fresh water applied	
31,950,195.00	*gallons*
1,176.62	*acre-inches*
14.89	*inches/acre*

Process wastewater applied	
4,740,000.00	*gallons*
174.56	*acre-inches*
2.21	*inches/acre*

Total harvests for the crop	
1	*harvests*

The 80 - 06/20/2023: Corn, silage

Field name: The 80 Crop: Corn, silage Plant date: 06/20/2023

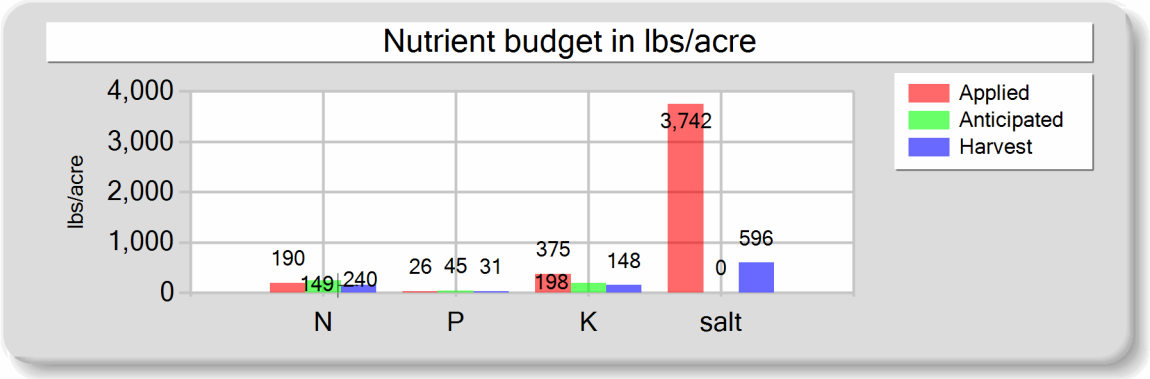

	Total N (lbs/acre)	Total P (lbs/acre)	Total K (lbs/acre)	Total salt (lbs/acre)
Existing soil nutrient content	0.00	0.00	0.00	0.00
Plowdown credit	0.00	0.00	0.00	0.00
Commercial fertilizer / Other	0.00	0.00	0.00	0.00
Dry manure	0.00	0.00	0.00	0.00
Process wastewater	173.97	25.86	374.88	1,111.20
Fresh water	9.21	0.00	0.00	2,631.25
Atmospheric deposition	7.00	0.00	0.00	0.00
Total nutrients applied	190.18	25.86	374.88	3,742.44
Anticipated crop nutrient removal	240.00	45.00	198.00	0.00
Actual crop nutrient removal	148.89	31.02	147.65	595.55
Nutrient balance	41.29	-5.16	227.24	3,146.90
Applied to removed ratio	1.28	0.83	2.54	6.28

Fresh water applied	
124,546,759.00	*gallons*
4,586.63	*acre-inches*
58.06	*inches/acre*

Process wastewater applied	
2,505,428.00	*gallons*
92.27	*acre-inches*
1.17	*inches/acre*

Total harvests for the crop	
1	*harvests*

NUTRIENT ANALYSES

A. MANURE ANALYSES

2022 SSB Manure

Sample and source description: 2022 SSB Manure

Sample date: 10/18/2022 Material type: Separator solids Source of analysis: Lab analysis Method of reporting: Dry-weight

Moisture: 58.7 %

	Total N (mg/kg)	Total P (mg/kg)	Total K (mg/kg)	Calcium (mg/kg)	Magnesium (mg/kg)	Sodium (mg/kg)	Sulfur (mg/kg)	Chloride (mg/kg)	Total salt (mg/kg)	TFS (%)
Value	27,200.00	10,900.00	15,300.00							47.50
DL	0.01	0.01	0.01							1.00

Compost Manure

Sample and source description: Compost Manure

Sample date: 05/10/2023 Material type: Compost Source of analysis: Lab analysis Method of reporting: Dry-weight

Moisture: 59.6 %

	Total N (mg/kg)	Total P (mg/kg)	Total K (mg/kg)	Calcium (mg/kg)	Magnesium (mg/kg)	Sodium (mg/kg)	Sulfur (mg/kg)	Chloride (mg/kg)	Total salt (mg/kg)	TFS (%)
Value	21,700.00	4,100.00	8,600.00							0.00
DL	0.01	0.01	0.01							1.00

Separator Manure

Sample and source description: Separator Manure

Sample date: 10/18/2023 Material type: Separator solids Source of analysis: Lab analysis Method of reporting: Dry-weight

Moisture: 79.5 %

	Total N (mg/kg)	Total P (mg/kg)	Total K (mg/kg)	Calcium (mg/kg)	Magnesium (mg/kg)	Sodium (mg/kg)	Sulfur (mg/kg)	Chloride (mg/kg)	Total salt (mg/kg)	TFS (%)
Value	23,200.00	4,000.00	7,800.00							0.00
DL	0.01	0.01	0.01							1.00

B. PROCESS WASTEWATER ANALYSES

Lagoon Q4 2022

Sample and source description: Lagoon Q4 2022

Sample date: 11/30/2022 Material type: Process wastewater Source of analysis: Lab analysis pH: 7.60

	Kjeldahl-N (mg/L)	NH4-N (mg/L)	NH3-N (mg/L)	Nitrate-N (mg/L)	Total P (mg/L)	Total K (mg/L)	Calcium (mg/L)	Magnes. (mg/L)	Sodium (mg/L)	Bicarb. (mg/L)	Carb. (mg/L)	Sulfate (mg/L)	Chloride (mg/L)	EC (µmhos/cm)	TDS (mg/L)
Value	812.00	487.00	0.00	2.30	76.50	1,110.00								11,800.00	6,430
DL	0.70	0.20	0.01	0.02	0.02	0.20								2.00	10

Lagoon Q1

Sample and source description: Lagoon Q1

Sample date: 03/28/2023 Material type: Process wastewater Source of analysis: Lab analysis pH: 7.70

	Kjeldahl-N (mg/L)	NH4-N (mg/L)	NH3-N (mg/L)	Nitrate-N (mg/L)	Total P (mg/L)	Total K (mg/L)	Calcium (mg/L)	Magnes. (mg/L)	Sodium (mg/L)	Bicarb. (mg/L)	Carb. (mg/L)	Sulfate (mg/L)	Chloride (mg/L)	EC (µmhos/cm)	TDS (mg/L)
Value	571.00	391.00	0.00	1.50	75.30	1,030.00								9,690.00	5,370
DL	0.01	0.01	0.01	0.01	0.01	0.01								10.00	1

Lagoon Q2

Sample and source description: Lagoon Q2

Sample date: 05/11/2023 Material type: Process wastewater Source of analysis: Lab analysis pH: 7.90

	Kjeldahl-N (mg/L)	NH4-N (mg/L)	NH3-N (mg/L)	Nitrate-N (mg/L)	Total P (mg/L)	Total K (mg/L)	Calcium (mg/L)	Magnes. (mg/L)	Sodium (mg/L)	Bicarb. (mg/L)	Carb. (mg/L)	Sulfate (mg/L)	Chloride (mg/L)	EC (µmhos/cm)	TDS (mg/L)
Value	618.00	449.00	0.00	1.10	74.30	1,210.00								11,500.00	5,550
DL	0.01	0.01	0.01	0.01	0.01	0.01								10.00	1

Lagoon Q3

Sample and source description: Lagoon Q3

Sample date: 07/26/2023 Material type: Process wastewater Source of analysis: Lab analysis pH: 7.90

	Kjeldahl-N (mg/L)	NH4-N (mg/L)	NH3-N (mg/L)	Nitrate-N (mg/L)	Total P (mg/L)	Total K (mg/L)	Calcium (mg/L)	Magnes. (mg/L)	Sodium (mg/L)	Bicarb. (mg/L)	Carb. (mg/L)	Sulfate (mg/L)	Chloride (mg/L)	EC (µmhos/cm)	TDS (mg/L)
Value	714.00	459.00	0.00	1.20	113.00	1,680.00								12,800.00	3,400
DL	0.01	0.01	0.01	0.01	0.01	0.01								10.00	1

Lagoon Q4

Sample and source description: Lagoon Q4

Sample date: 11/07/2023 Material type: Process wastewater Source of analysis: Lab analysis pH: 8.20

	Kjeldahl-N (mg/L)	NH4-N (mg/L)	NH3-N (mg/L)	Nitrate-N (mg/L)	Total P (mg/L)	Total K (mg/L)	Calcium (mg/L)	Magnes. (mg/L)	Sodium (mg/L)	Bicarb. (mg/L)	Carb. (mg/L)	Sulfate (mg/L)	Chloride (mg/L)	EC (µmhos/cm)	TDS (mg/L)
Value	755.00	337.00	0.00	0.00	115.00	1,340.00								11,300.00	6,000
DL	0.70	0.20	0.01	0.02	0.02	0.20								2.00	10

C. FRESH WATER ANALYSES

Canal

CCID Canal

Sample description: CCID Canal

Sample date: 10/17/2023 Source of analysis: Lab analysis

	Total N (mg/L)	NH4-N (mg/L)	Nitrate-N (mg/L)	Calcium (mg/L)	Magnesium (mg/L)	Sodium (mg/L)	Bicarbonate (mg/L)	Carbonate (mg/L)	Sulfate (mg/L)	Chloride (mg/L)	EC (µmhos/cm)	TDS (mg/L)
Value	0.70	0.00	0.70								328.00	200
DL	0.01	0.01	0.01								2.00	1

Domestic Well

New Well

Sample description: New Well

Sample date: 12/14/2023 Source of analysis: Lab analysis

	Total N (mg/L)	NH4-N (mg/L)	Nitrate-N (mg/L)	Calcium (mg/L)	Magnesium (mg/L)	Sodium (mg/L)	Bicarbonate (mg/L)	Carbonate (mg/L)	Sulfate (mg/L)	Chloride (mg/L)	EC (µmhos/cm)	TDS (mg/L)
Value	12.70	0.00	12.70								1,630.00	0
DL	0.01	0.01	0.01								2.00	1

Domestic Well

Old Well

Sample description: Old Well

Sample date: 12/14/2023 Source of analysis: Lab analysis

	Total N (mg/L)	NH4-N (mg/L)	Nitrate-N (mg/L)	Calcium (mg/L)	Magnesium (mg/L)	Sodium (mg/L)	Bicarbonate (mg/L)	Carbonate (mg/L)	Sulfate (mg/L)	Chloride (mg/L)	EC (µmhos/cm)	TDS (mg/L)
Value	14.50	0.00	14.50								1,630.00	0
DL	0.01	0.01	0.01								2.00	1

D. SOIL ANALYSES

No soil analyses entered.

E. PLANT TISSUE ANALYSES

Freitas - 11/06/2022: Oats, silage-soft dough

Frietas Field North Oat Silage

Sample and source description: Frietas Field North Oat Silage

Sample date: 05/24/2023 Source of analysis: Lab analysis Method of reporting: Dry-weight

Moisture: 66.2 %

	Total N (mg/kg)	Total P (mg/kg)	Total K (mg/kg)	Total salt (mg/kg)	TFS (%)
Value	9,000.00	2,600.00	18,200.00		9.20
DL	0.01	0.01	0.01		1.00

Frietas Field South Oat Silage

Sample and source description: Frietas Field South Oat Silage

Sample date: 05/24/2023 Source of analysis: Lab analysis Method of reporting: Dry-weight

Moisture: 63.5 %

	Total N (mg/kg)	Total P (mg/kg)	Total K (mg/kg)	Total salt (mg/kg)	TFS (%)
Value	10,000.00	2,800.00	18,400.00		9.50
DL	0.01	0.01	0.01		1.00

Freitas - 06/22/2023: Corn, silage

Freitas North Corn

Sample and source description: Freitas North Corn

Sample date: 10/30/2023 Source of analysis: Lab analysis Method of reporting: Dry-weight

Moisture: 65.4 %

	Total N (mg/kg)	Total P (mg/kg)	Total K (mg/kg)	Total salt (mg/kg)	TFS (%)
Value	10,500.00	2,600.00	8,700.00		4.40
DL	0.01	0.01	0.01		1.00

Freitas South Corn

Sample and source description: Freitas South Corn

Sample date: 10/30/2023 Source of analysis: Lab analysis Method of reporting: Dry-weight

Moisture: 66.8 %

	Total N (mg/kg)	Total P (mg/kg)	Total K (mg/kg)	Total salt (mg/kg)	TFS (%)
Value	10,200.00	2,500.00	8,600.00		4.80
DL	0.01	0.01	0.01		1.00

Home - 11/08/2022: Oats, silage-soft dough

Home Field Oat Silage

Sample and source description: Home Field Oat Silage

Sample date: 05/23/2023 Source of analysis: Lab analysis Method of reporting: Dry-weight

Moisture: 65.6 %

	Total N (mg/kg)	Total P (mg/kg)	Total K (mg/kg)	Total salt (mg/kg)	TFS (%)
Value	7,300.00	2,200.00	14,000.00		7.60
DL	0.01	0.01	0.01		1.00

Home - 06/21/2023: Corn, silage

Home - 06/21/2023: Corn, silage

Home S Corn

Sample and source description: Home S Corn

Sample date: 10/13/2023 Source of analysis: Lab analysis Method of reporting: Dry-weight

Moisture: 68.0 %

	Total N (mg/kg)	Total P (mg/kg)	Total K (mg/kg)	Total salt (mg/kg)	TFS (%)
Value	11,400.00	2,900.00	16,200.00		5.40
DL	0.01	0.01	0.01		1.00

The 80 - 10/31/2022: Oats, silage-soft dough

80 Field East Oat Silage

Sample and source description: 80 Field East Oat Silage

Sample date: 05/23/2023 Source of analysis: Lab analysis Method of reporting: Dry-weight

Moisture: 66.0 %

	Total N (mg/kg)	Total P (mg/kg)	Total K (mg/kg)	Total salt (mg/kg)	TFS (%)
Value	15,300.00	3,300.00	28,400.00		9.70
DL	0.01	0.01	0.01		1.00

80 Field West Oat Silage

Sample and source description: 80 Field West Oat Silage

Sample date: 05/23/2023 Source of analysis: Lab analysis Method of reporting: Dry-weight

Moisture: 65.0 %

	Total N (mg/kg)	Total P (mg/kg)	Total K (mg/kg)	Total salt (mg/kg)	TFS (%)
Value	19,000.00	4,000.00	32,200.00		11.10
DL	0.01	0.01	0.01		1.00

The 80 - 06/20/2023: Corn, silage

The 80 - 06/20/2023: Corn, silage

The 80 Corn

Sample and source description: The 80 Corn

Sample date: 10/13/2023 Source of analysis: Lab analysis Method of reporting: Dry-weight

Moisture: 67.8 %

	Total N (mg/kg)	Total P (mg/kg)	Total K (mg/kg)	Total salt (mg/kg)	TFS (%)
Value	12,000.00	2,500.00	11,900.00		4.80
DL	0.01	0.01	0.01		1.00

F. SUBSURFACE (TILE) DRAINAGE ANALYSES

No subsurface (tile) drainage analyses entered.

NUTRIENT APPLICATIONS, POTENTIAL REMOVAL, AND BALANCE

A. SUMMARY OF NUTRIENT APPLICATIONS, POTENTIAL REMOVAL, AND BALANCE

	Total N (lbs)	Total P (lbs)	Total K (lbs)	Total salt (lbs)
Existing soil nutrient content	0.00	0.00	0.00	0.00
Plowdown credit	0.00	0.00	0.00	0.00
Commercial fertilizer / Other	0.00	0.00	0.00	0.00
Dry manure	19,574.44	5,616.05	9,262.31	158,117.05
Process wastewater	41,877.00	5,362.38	77,011.17	327,605.08
Fresh water	1,666.35	0.00	0.00	476,099.39
Atmospheric deposition	2,016.00	0.00	0.00	0.00
Total nutrients applied	65,133.79	10,978.43	86,273.49	961,821.52
Anticipated crop nutrient removal	57,600.00	10,166.40	47,635.20	0.00
Actual crop nutrient removal	48,594.97	11,177.68	69,486.90	283,605.76
Nutrient balance	16,538.81	-199.24	16,786.58	678,215.76
Applied to removed ratio	1.34	0.98	1.24	3.39

B. POUNDS OF NUTRIENT APPLIED VS. CROP REMOVAL

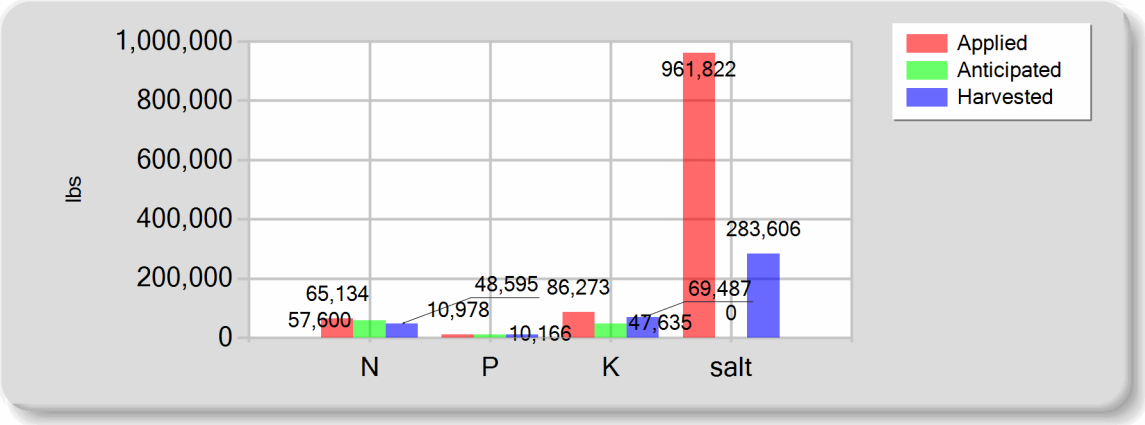

C. POUNDS OF NUTRIENT APPLIED BY MATERIAL TYPE

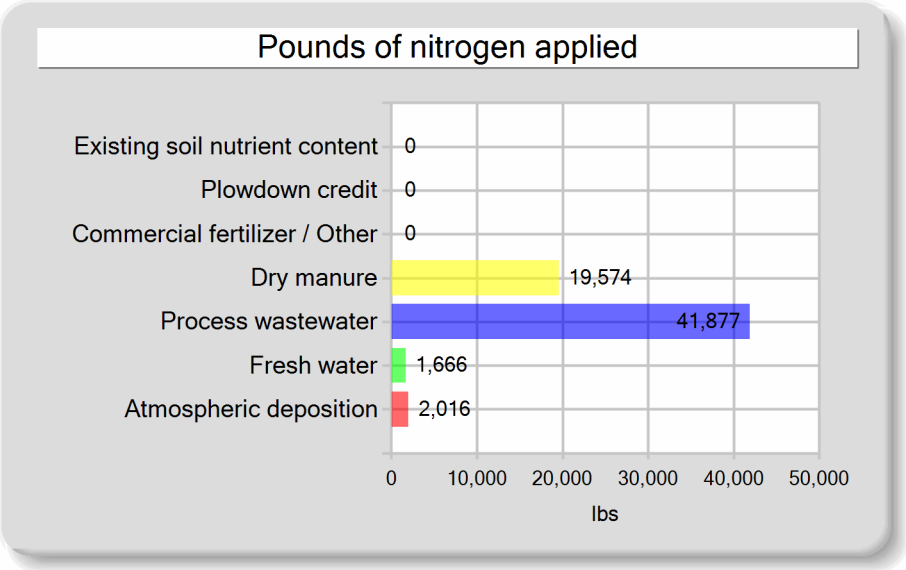

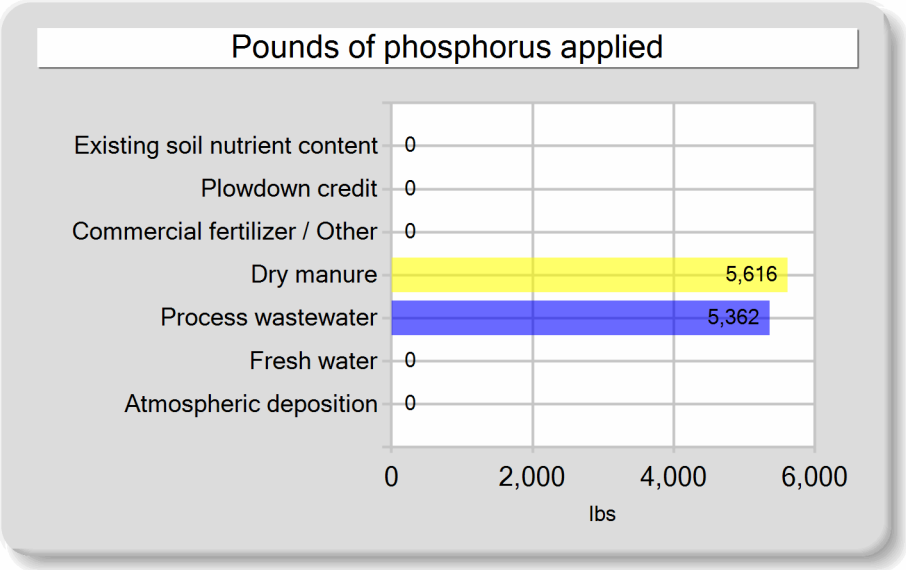

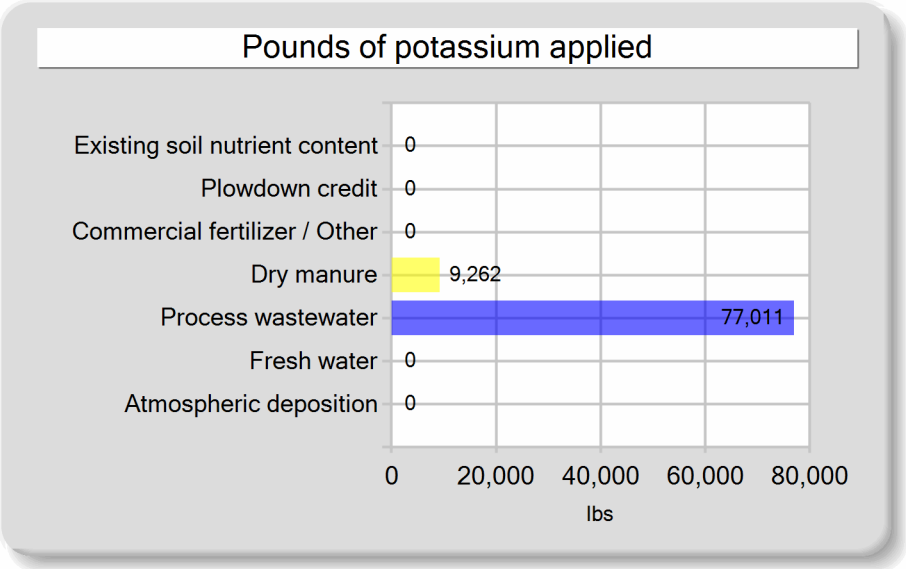

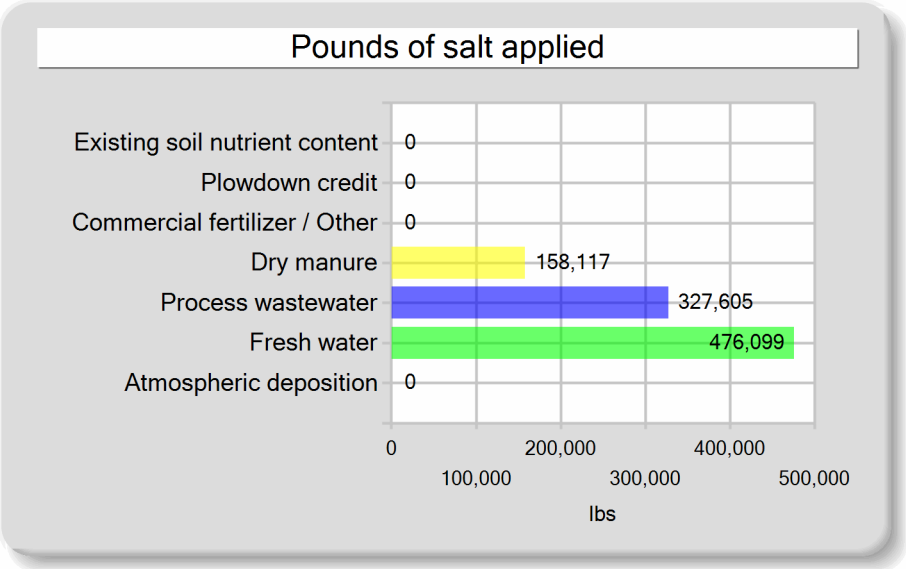

EXCEPTION REPORTING

A. MANURE, PROCESS WASTEWATER, AND OTHER DAIRY WASTE DISCHARGES

The following is a summary of all manure and process wastewater discharges from the production area to surface water or to land areas (land application areas or otherwise) when not in accordance with the facility's Nutrient Management Plan.

No manure or process wastewater discharges occurred during the reporting period.

B. STORM WATER DISCHARGES

The following is a summary of all storm water discharges from the production area to surface water during the reporting period when not in accordance with the facility 's Nutrient Management Plan.

No stormwater discharges occurred during the reporting period.

C. LAND APPLICATION AREA TO SURFACE WATER DISCHARGES

The following is a summary of all discharges from the land application area to surface water that have occurred during the reporting period when not in accordance with the facility's Nutrient Management Plan.

No land application area to surface water discharges occurred during the reporting period.

NUTRIENT MANAGEMENT PLAN AND EXPORT AGREEMENT STATEMENTS

A. NUTRIENT MANAGEMENT PLAN STATEMENTS

Was the facility's NMP updated in the reporting period?	Yes
Was the facility's NMP developed by a certified nutrient management planner (specialist) as specified in Attachment C of the General Order?	Yes
Was the facility's NMP approved by a certified nutrient management planner (specialist) as specified in Attachment C of the General Order?	Yes

B. EXPORT AGREEMENT STATEMENT

Are there any written agreements with third parties to receive manure or process wastewater that are new or were revised within the reporting period?	No

ADDITIONAL NOTES

A. NOTES

No notes entered for this annual report.

CERTIFICATION

A. OWNER AND/OR OPERATOR CERTIFICATION

I certify under penalty of law that I have personally examined and am familiar with the information submitted in this document and all attachments and that, based on my inquiry of those individuals immediately responsible for obtaining the information, I believe that the information is true, accurate, and complete. I am aware that there are significant penalties for submitting false information, including the possibility of fine and imprisonment.

SIGNATURE OF OWNER OF FACILITY	SIGNATURE OF OPERATOR OF FACILITY
Don Gomes	SAME AS OWNER
PRINT OR TYPE NAME	PRINT OR TYPE NAME
Jun 17, 2024	
DATE	DATE

ATTACHMENTS

A. REQUIRED ATTACHMENTS

The following lists the required documents that should be attached to the Annual Report when submitted .

Annual Dairy Facility Assessment
Provide an Annual Dairy Facility Assessment (an update to the Preliminary Dairy Facility Assessment in Attachment A) for each reporting period. On the PDFA Final page, click on the ADFA Report button to generate an ADFA report after updating information as needed .

Manure/Process Wastewater Tracking Manifests
Provide copies of all manure/process wastewater tracking manifests for the reporting period, signed by both the owner/operator and the hauler.

Corrective Actions Documents
Provide records documenting any corrective actions taken to correct deficiencies noted as a result of the inspections required in the Monitoring Requirements of the General Order. Deficiencies not corrected in 30 days must be accompanied by an explanation of the factors preventing immediate correction.

Groundwater Monitoring
Dischargers that monitor supply wells or subsurface (tile) drainage systems, or that have monitoring well systems must submit monitoring results as directed in the General Order, Groundwater Reporting Section starting on page MRP-13.

Storm Water Monitoring
Dischargers that are required to monitor storm water more frequently than required in the General Order must submit monitoring results as directed in the General Order, Storm Water Reporting Section on page MRP-14.

Manure / Process Wastewater Tracking Manifest
For
Existing Milk Cow Dairies

General Order No. R5-2007-0035, Attachment D

INSTRUCTIONS

1) Complete one manifest for each hauling event, for each destination. A hauling event may last for several days, as long as the manure is being hauled to the same destination.
2) If there are multiple destinations, complete a separate form for each destination.
3) The operator must obtain the signature of the hauler upon completion of each manure/process wastewater hauling event.
4) The operator shall submit copies of manure/process wastewater tracking manifest(s) with the Annual Monitoring Report for Existing Milk Cow Dairies.

OPERATOR INFORMATION

Name of Operator: Don Gomes

Name of Dairy Facility: ANTONE L. GOMES & SONS

Facility Address:

Number and Street	City	County	Zip Code
515 E STUHR RD	NEWMAN	Stanislaus	95360

Contact Person Name and Phone Number:

Name	Phone Number
Don Gomes	(209) 765-1273

MANURE HAULER INFORMATION

Name of Hauling Company/Person: ALP Custom Spreading Inc

Address of Hauling Company/Person:

Number and Street	City	State	Zip Code
P.O. Box 218	Newman	CA	95360

Contact Person:

Name	Phone Number
Jeff Lima	(209) 862-3393

DESTINATION INFORMATION

Composting Facility / Broker / Farmer / Other (identify): Farmer

Contact information of Composting Facility, Broker, Farmer, or Other (as identified above):

Name	Phone Number
George Souza	(209) 678-2288

Address	City	State	Zip Code
2101 Hallowell Rd	Newman	CA	95360

Destination Address or Assessor's Parcel Number:

Address	City	Zip Code
	Newman	95360

Street and nearest cross street (if no address)	County
Hallowell Rd	Stanislaus

Assessor's Parcel Number	Assessor's Parcel Number County

Last date hauled: 06/02/2023

Manure / Process Wastewater Tracking Manifest
For
Existing Milk Cow Dairies

General Order No. R5-2007-0035, Attachment D

MANURE AMOUNT HAULED

Enter the amount of manure hauled in tons, manure solids content, and the method used to calculate the amount:

Manure: 1,236.00 tons

Manure Solids Content: 40.4 %

Method used to determine amount of manure:

tons per load per hauler

CERTIFICATION

I declare under penalty of law that I personally examined and am familiar with the information submitted in this document, and that based on my inquiry of those individuals immediately responsible for obtaining the information, I believe that the information is true , accurate, and complete. I am aware that there are significant penalties for submitting false information, including the possibility of a fine and imprisonment for knowing violations.

SEE ATTACHED SIGNED MANIFEST

Operator Signature Date

SEE ATTACHED SIGNED MANIFEST

Hauler Signature Date

Manure / Process Wastewater Tracking Manifest
For
Existing Milk Cow Dairies

General Order No. R5-2007-0035, Attachment D

INSTRUCTIONS

1) Complete one manifest for each hauling event, for each destination. A hauling event may last for several days, as long as the manure is being hauled to the same destination.
2) If there are multiple destinations, complete a separate form for each destination.
3) The operator must obtain the signature of the hauler upon completion of each manure/process wastewater hauling event.
4) The operator shall submit copies of manure/process wastewater tracking manifest(s) with the Annual Monitoring Report for Existing Milk Cow Dairies.

OPERATOR INFORMATION

Name of Operator: Don Gomes

Name of Dairy Facility: ANTONE L. GOMES & SONS

Facility Address:

Number and Street	City	County	Zip Code
515 E STUHR RD	NEWMAN	Stanislaus	95360

Contact Person Name and Phone Number: Don Gomes (Name) (209) 765-1273 (Phone Number)

MANURE HAULER INFORMATION

Name of Hauling Company/Person: ALP Custom Spreading Inc

Address of Hauling Company/Person:

Number and Street	City	State	Zip Code
P.O. Box 218	Newman	CA	95360

Contact Person: Jeff Lima (Name) (209) 862-3393 (Phone Number)

DESTINATION INFORMATION

Composting Facility / Broker / Farmer / Other (identify): Farmer

Contact information of Composting Facility, Broker, Farmer, or Other (as identified above):

AJ Borba (Name) (209) 652-4466 (Phone Number)

Address	City	State	Zip Code
P.O. Box 670	Hilmar	CA	95324

Destination Address or Assessor's Parcel Number:

Address	City	Zip Code
	Newman	95360

Street and nearest cross street (if no address)	County
River Rd	Stanislaus

Assessor's Parcel Number _____ Assessor's Parcel Number County _____

Last date hauled: 10/17/2023

Manure / Process Wastewater Tracking Manifest
For
Existing Milk Cow Dairies

General Order No. R5-2007-0035, Attachment D

MANURE AMOUNT HAULED

Enter the amount of manure hauled in tons, manure solids content, and the method used to calculate the amount:

Manure: 1,166.00 tons

Manure Solids Content: 20.5 %

Method used to determine amount of manure:

tons per hauler

CERTIFICATION

I declare under penalty of law that I personally examined and am familiar with the information submitted in this document, and that based on my inquiry of those individuals immediately responsible for obtaining the information, I believe that the information is true , accurate, and complete. I am aware that there are significant penalties for submitting false information, including the possibility of a fine and imprisonment for knowing violations.

SEE ATTACHED SIGNED MANIFEST

Operator Signature Date

SEE ATTACHED SIGNED MANIFEST

Hauler Signature Date

ATTACHMENT D

Manure Tracking Manifest
For
Existing Milk Cow Dairies

Instructions:

1) Complete one manifest for each hauling event, for each destination. A hauling event may last for several days, as long as the manure is being hauled to the same destination.
2) If there are multiple destinations, **complete a separate form for each destination.**
3) The operator must obtain the signature of the hauler upon completion of each manure-hauling event.
4) The operator shall submit copies of manure/process wastewater tracking manifest(s) with the Annual Monitoring Report for Existing Milk Cow Dairies.

Sent from My

Operator Information:

Name of Operator: Don Gomes

Name of Dairy Facility: Antone L. Gomes & Sons

Facility Address: 515 E. Stuhr Road, Newman, CA 95360

Contact Person Name and Phone Number: Don Gomes (209) 765-1273

Manure Hauler Information:

Name of Hauling Company/Person: ALP Custom Spreading Inc

Address of Hauling Company /Person: P.O. Box 218 Newman CA 95360

Contact Person: Jeff Lima

Destination Information:

Composting Facility / Broker / Farmer / Other (identify) _____ (please circle one)

Contact information of Composting Facility, Broker, Farmer, or Other (as identified above):

Name	Number and Street	City	Zip Code	Phone Number
A. J Borba	P.O. Box 670	Hilmar	CA 953324	

Manure/Process Wastewater Destination Address or Assessor's Parcel Number:

Number and Street	City	Zip Code	Assessor's Parcel Number
River Road	Newman	CA 95360	

Dates Hauled: 10/17/23

Amount Hauled:

Enter the amount of manure hauled in tons or cubic yards (indicate the units used), the manure solids content (if amount reported in tons) or manure density (if amount reported in cubic yards), and the method used to calculate the amount:

Manure: 1166 Tons

Manure Solids Content: Solid

ATTACHMENT D

Manure/Process Wastewater Tracking Manifest
For
Existing Milk Cow Dairies

Instructions:

- Complete one manifest for each hauling event, for each destination. A hauling event may last for several days, as long as the manure is being hauled to the same destination.
- If there are multiple destinations, **complete a separate form for each destination**.
- The operator must obtain the signature of the hauler upon completion of each manure-hauling event.
- The operator shall submit copies of manure/process wastewater tracking manifest(s) with the Annual Monitoring Report for Existing Milk Cow Dairies.

Operator Information:

Name of Operator: Don Gomes

Name of Dairy Facility: Gomes Dairy

Facility Address: 515 E Stuhr Road (Number and Street) Newman (City) CA 95360 (Zip Code)

Contact Person Name and Phone Number: Don Gomes (Name) 209 765 1273 (Phone Number)

Manure/Process Waste water Hauler Information:

Name of Hauling Company/Person: A L P Custom Spreading Inc Jeff

Address of Hauling Company /Person: P O Box 218 (Number and Street) Newman (City) CA 95360 (Zip Code)

Contact Person: Jeff Lima (Name) 209 862-3393 (Phone Number)

Destination Information:

Composting Facility / Broker / Farmer / Other (identify) _____ (please circle one)

Contact information of Composting Facility, Broker, Farmer, or Other (as identified above):

George Souza (Name) 2101 Hallowell Road (Number and Street) Newman (City) CA (Zip Code) 95360 (Phone Number)

Manure/Process Waste water Destination Address or Assessor's Parcel Number:

Upper Road (Number and Street) Newman (City) CA (Zip Code) 95360 (Assessor's Parcel Number)

Dates Hauled: 6/2/23

Amount Hauled:

Enter the amount of manure hauled in tons or cubic yards (indicate the units used), the manure solids content (if amount reported in tons) or manure density (if amount reported in cubic yards), and the method used to calculate the amount:

Manure: 1236 Tons or Cubic Yards (indicate which units used)

Manure Solids Content (if amount reported in tons): Solid

Manure Density (if amount reported in cubic yards): _____

Method used to determine amount of manure

103 Loads of manure X 12 Tons per load= 1236 Tons

Enter the amount of process waste water hauled in gallons and the method used to determine the amount.

Process Waste water: _____ Gallons

Method used to determine volume of process waste water: _____

_____

Written Agreement:
Does the Operator have a written agreement (in compliance with Land Application Specification C.2 of Waste Discharge Requirements General Order No. R5-2007-0035) with any party that receives process wastewater from the Operator for its own use? (please check one)

____ Yes _____ No

If the answer is no, the Operator agrees to have such a written agreement with any such party for any process wastewater transferred after **31 December 2007** to such party. _____
(Operator shall provide initials here to acknowledge this requirement).

Certification:
I declare under the penalty of law that I personally examined and am familiar with the information submitted in this document, and that based on my inquiry of those individuals immediately responsible for obtaining the information, I believe that the information is true, accurate, and complete. I am aware that there are significant penalties for submitting false information, including the possibility of a fine and imprisonment for knowing violations.

Operator's Signature: _____ Date: 7-31-23

Hauler's Signature: Ashley Lime Date: 7/28/23

DELLAVALLE™
LABORATORY INC

Antone Gomes & Sons Dairy
519 E Stuhr Road
Newman, CA 95360

Account# 00-0025489
Account Manager: Ben Nydam
Submitted By: Don Gomes

Received: 12/14/2023 14:20
Reported: 12/21/2023 10:23

Samples in this Report

Lab ID	Sample	Matrix	Sampled By	Crop	Date Sampled
23L1018-01	New Well - DW	Ag Water	M.Pedroso		12/14/2023 11:00
23L1018-02	Old Well - DW	Ag Water	M.Pedroso		12/14/2023 11:10

Default Cooler Temperature on Receipt °C: 6.6
Containers Intact
COC/Labels Agree
Received On Ice

Notes and Definitions

Item	Definition
H	Hold Time Exceeded
MCL	Drinking Water Maximum Contaminant Level
ND	Analyte NOT DETECTED at or above the reporting limit.
NES	Not Enough Sample
*	Not Taken
RPD	Relative Percent Difference
%REC	Percent Recovery
Source	Sample that was matrix spiked or duplicated.

Scott McFriedland

Laboratory Director/Technical Manager

ELAP Certification #1595
A2LA Certification #6440.02

The results in this report apply to the samples as received and were analyzed in accordance with the chain of custody document. This analytical report must be reproduced in its entirety. All results listed in this report are for the exclusive use of the submitting party. Dellavalle Laboratory, Inc. assumes no responsibility for report alteration, separation, detachment or third party interpretation.

DELLAVALLE™
LABORATORY INC

Antone Gomes & Sons Dairy
519 E Stuhr Road
Newman, CA 95360

Account# 00-0025489
Account Manager: Ben Nydam
Submitted By: Don Gomes

Received: 12/14/2023 14:20
Reported: 12/21/2023 10:23

Sample Results

Sample: New Well - DW
23L1018-01 (Water)

Sampled: 12/14/2023 11:00
Sampled By: M.Pedroso

Analyte	Result	Units	Reporting Limit	DIL	DW MCL	Date/Time Analyzed	Method	Notes	Batch
Electrical Conductivity	**1.63**	mmhos/cm	0.01	1		12/19/23 12:09	SM 2510 B		BEL0706
Electrical Conductivity umhos	**1630**	umhos/cm	10.0	1		12/19/23 12:09	SM 2510 B		BEL0706
Ammonia (as N)	ND	mg/L	0.00	1		12/14/23 11:00	Field		BEL0658
Nitrate Nitrogen as NO3N	**12.7**	mg/L	0.1	1	10	12/19/23 01:00	EPA 300.0		BEL0686
Temperature	**25.0**	units	0.0	1		12/19/23 12:09	SM 4500-H+	H	BEL0706
pH	**7.7**	units	1.0	1		12/19/23 12:09	SM 4500-H+	H	BEL0706

The results in this report apply to the samples as received and were analyzed in accordance with the chain of custody document. This analytical report must be reproduced in its entirety. All results listed in this report are for the exclusive use of the submitting party. Dellavalle Laboratory, Inc. assumes no responsibility for report alteration, separation, detachment or third party interpretation.

DELLAVALLE™
LABORATORY INC

Antone Gomes & Sons Dairy
519 E Stuhr Road
Newman, CA 95360

Account# 00-0025489
Account Manager: Ben Nydam
Submitted By: Don Gomes

Received: 12/14/2023 14:20
Reported: 12/21/2023 10:23

Sample Results
(Continued)

Sample: Old Well - DW
23L1018-02 (Water)

Sampled: 12/14/2023 11:10
Sampled By: M.Pedroso

Analyte	Result	Units	Reporting Limit	DIL	DW MCL	Date/Time Analyzed	Method	Notes	Batch
Electrical Conductivity	**1.63**	mmhos/cm	0.01	1		12/19/23 12:11	SM 2510 B		BEL0706
Electrical Conductivity umhos	**1630**	umhos/cm	10.0	1		12/19/23 12:11	SM 2510 B		BEL0706
Ammonia (as N)	ND	mg/L	0.00	1		12/14/23 11:10	Field		BEL0658
Nitrate Nitrogen as NO3N	**14.5**	mg/L	0.1	1	10	12/19/23 01:20	EPA 300.0		BEL0686
Temperature	**25.0**	units	0.0	1		12/19/23 12:11	SM 4500-H+	H	BEL0706
pH	**7.7**	units	1.0	1		12/19/23 12:11	SM 4500-H+	H	BEL0706

The results in this report apply to the samples as received and were analyzed in accordance with the chain of custody document. This analytical report must be reproduced in its entirety. All results listed in this report are for the exclusive use of the submitting party. Dellavalle Laboratory, Inc. assumes no responsibility for report alteration, separation, detachment or third party interpretation.

DELLAVALLE™
LABORATORY INC

Antone Gomes & Sons Dairy
519 E Stuhr Road
Newman, CA 95360

Account# 00-0025489
Account Manager: Ben Nydam
Submitted By: Don Gomes

Received: 12/14/2023 14:20
Reported: 12/21/2023 10:23

Quality Control

Analyte	Result	Qual	Reporting Limit	Units	Spike Level	Source Result	%REC	%REC Limits	RPD	RPD Limit
Batch: BEL0686										
Blank (BEL0686-BLK1)					Prepared & Analyzed: 12/18/2023					
Nitrate Nitrogen as NO3N	ND		0.1	mg/L						
Blank (BEL0686-BLK2)					Prepared & Analyzed: 12/18/2023					
Nitrate Nitrogen as NO3N	ND		0.1	mg/L						
Blank (BEL0686-BLK3)					Prepared: 12/18/2023 Analyzed: 12/19/2023					
Nitrate Nitrogen as NO3N	ND		0.1	mg/L						
LCS (BEL0686-BS1)					Prepared & Analyzed: 12/18/2023					
Nitrate Nitrogen as NO3N	5.1		0.1	mg/L	5.000		101	90-110		
LCS (BEL0686-BS2)					Prepared: 12/18/2023 Analyzed: 12/19/2023					
Nitrate Nitrogen as NO3N	5.1		0.1	mg/L	5.000		102	90-110		
Duplicate (BEL0686-DUP1)		**Source: 23L1009-01**			Prepared & Analyzed: 12/18/2023					
Nitrate Nitrogen as NO3N	5.2		0.1	mg/L		5.1			0.974	10
Duplicate (BEL0686-DUP2)		**Source: 23L1009-08**			Prepared: 12/18/2023 Analyzed: 12/19/2023					
Nitrate Nitrogen as NO3N	5.3		0.1	mg/L		5.3			0.530	10
Matrix Spike (BEL0686-MS1)		**Source: 23L1009-01**			Prepared & Analyzed: 12/18/2023					
Nitrate Nitrogen as NO3N	10.4		0.1	mg/L	5.000	5.1	106	90-110		
Matrix Spike (BEL0686-MS2)		**Source: 23L1009-08**			Prepared: 12/18/2023 Analyzed: 12/19/2023					
Nitrate Nitrogen as NO3N	10.4		0.1	mg/L	5.000	5.3	102	90-110		
Reference (BEL0686-SRM1)					Prepared & Analyzed: 12/18/2023					
Nitrate Nitrogen as NO3N	10.2			mg/L	10.00		102	90-110		
Reference (BEL0686-SRM2)					Prepared & Analyzed: 12/18/2023					
Nitrate Nitrogen as NO3N	10.3			mg/L	10.00		103	90-110		
Reference (BEL0686-SRM3)					Prepared: 12/18/2023 Analyzed: 12/19/2023					
Nitrate Nitrogen as NO3N	10.3			mg/L	10.00		103	90-110		

The results in this report apply to the samples as received and were analyzed in accordance with the chain of custody document. This analytical report must be reproduced in its entirety. All results listed in this report are for the exclusive use of the submitting party. Dellavalle Laboratory, Inc. assumes no responsibility for report alteration, separation, detachment or third party interpretation.

DELLAVALLE™ LABORATORY INC

Antone Gomes & Sons Dairy
519 E Stuhr Road
Newman, CA 95360

Account# 00-0025489
Account Manager: Ben Nydam
Submitted By: Don Gomes

Received: 12/14/2023 14:20
Reported: 12/21/2023 10:23

Quality Control
(Continued)

Analyte	Result	Qual	Reporting Limit	Units	Spike Level	Source Result	%REC	%REC Limits	RPD	RPD Limit
Batch: BEL0706										
Blank (BEL0706-BLK1)					Prepared: 12/18/2023	Analyzed: 12/19/2023				
Temperature	25.0		0.0	units						
Electrical Conductivity	ND		0.01	mmhos/cm						
Electrical Conductivity umhos	ND		10.0	umhos/cm						
pH	5.6		1.0	units						
Blank (BEL0706-BLK2)					Prepared: 12/18/2023	Analyzed: 12/19/2023				
Electrical Conductivity	ND		0.01	mmhos/cm						
Temperature	25.0		0.0	units						
Electrical Conductivity umhos	ND		10.0	umhos/cm						
pH	7.9		1.0	units						
Blank (BEL0706-BLK3)					Prepared: 12/18/2023	Analyzed: 12/19/2023				
Electrical Conductivity	ND		0.01	mmhos/cm						
Temperature	25.0		0.0	units						
Electrical Conductivity umhos	ND		10.0	umhos/cm						
pH	6.8		1.0	units						
Duplicate (BEL0706-DUP1)		**Source: 23L1017-01**			Prepared: 12/18/2023	Analyzed: 12/19/2023				
Electrical Conductivity	1.74		0.01	mmhos/cm		1.73			0.403	10
pH	7.7		1.0	units		7.8			0.258	10
Electrical Conductivity umhos	1740		10.0	umhos/cm		1730			0.403	10
Duplicate (BEL0706-DUP2)		**Source: 23L1088-01**			Prepared: 12/18/2023	Analyzed: 12/19/2023				
Electrical Conductivity	0.52		0.01	mmhos/cm		0.52			0.116	10
Electrical Conductivity umhos	517		10.0	umhos/cm		517			0.116	10
pH	6.7		1.0	units		6.8			0.297	10
Reference (BEL0706-SRM1)					Prepared: 12/18/2023	Analyzed: 12/19/2023				
Electrical Conductivity	440			umhos/cm	426.0		103	90-110		
Reference (BEL0706-SRM2)					Prepared: 12/18/2023	Analyzed: 12/19/2023				
pH	7.5			units	7.520		100	67021-101.32		
Reference (BEL0706-SRM3)					Prepared: 12/18/2023	Analyzed: 12/19/2023				
Electrical Conductivity	1040			umhos/cm	1000		104	90-110		
Electrical Conductivity umhos	1040			umhos/cm	1000		104	90-110		
Reference (BEL0706-SRM4)					Prepared: 12/18/2023	Analyzed: 12/19/2023				
Electrical Conductivity	1030			umhos/cm	1000		103	90-110		
Electrical Conductivity umhos	1030			umhos/cm	1000		103	90-110		
Reference (BEL0706-SRM5)					Prepared: 12/18/2023	Analyzed: 12/19/2023				
Electrical Conductivity	1030			umhos/cm	1000		103	90-110		

The results in this report apply to the samples as received and were analyzed in accordance with the chain of custody document. This analytical report must be reproduced in its entirety. All results listed in this report are for the exclusive use of the submitting party. Dellavalle Laboratory, Inc. assumes no responsibility for report alteration, separation, detachment or third party interpretation.

DELLAVALLE™
LABORATORY INC

Antone Gomes & Sons Dairy
519 E Stuhr Road
Newman, CA 95360

Account# 00-0025489
Account Manager: Ben Nydam
Submitted By: Don Gomes

Received: 12/14/2023 14:20
Reported: 12/21/2023 10:23

Quality Control
(Continued)

Analyte	Result	Qual	Reporting Limit	Units	Spike Level	Source Result	%REC	%REC Limits	RPD	RPD Limit
Batch: BEL0706 (Continued)										
Reference (BEL0706-SRM5)					Prepared: 12/18/2023	Analyzed: 12/19/2023				
Electrical Conductivity umhos	1030			umhos/cm	1000		103	90-110		
Reference (BEL0706-SRM6)					Prepared: 12/18/2023	Analyzed: 12/19/2023				
pH	4.0			units	4.000		101	97.5-102.5		
Reference (BEL0706-SRM7)					Prepared: 12/18/2023	Analyzed: 12/19/2023				
pH	4.0			units	4.000		101	97.5-102.5		
Reference (BEL0706-SRM8)					Prepared: 12/18/2023	Analyzed: 12/19/2023				
pH	4.0			units	4.000		100	97.5-102.5		

The results in this report apply to the samples as received and were analyzed in accordance with the chain of custody document. This analytical report must be reproduced in its entirety. All results listed in this report are for the exclusive use of the submitting party. Dellavalle Laboratory, Inc. assumes no responsibility for report alteration, separation, detachment or third party interpretation.

12/14/23 14:20 23L1018

WATER WORK REQUEST

Acct No. Cons.

Bill To: 25489 8

Purchase Order No. Results Needed By

Client **Antone Gomes & Sons Dairy**
Address 519 E Stuhr Road
City, State, Zip Newman CA 95360
Phone Fax
Cell/Email

Copy to Cardoso Ag Sevices - cas.labs@yahoo.com

Requested by Don Gomes - (209)765-1273

Facility:

Date sampled 12/14/23

Sampled by mPedroso

[X] QA/QC Document [X] Copy of Chain [ ] RWQCB

DELLAVALLE LABORATORY, INC.

1910 W. McKinley Avenue, ~~Suite 110~~ • Fresno, CA 93728
www.dellavallelab.com 559 233-6129 • ~~800 228-9896~~ • Fax 559 268-8174

No. of Samples No. Bottles

Water Type: [ ] Drinking [ ] Wastewater
[X] Ag Water [ ] Ground Water [ ] Mon. Well
[ ] Supply Water [ ] Other

Analysis and Bottles Required: *(Please Indicate Analysis)*

(✓) DWW1: (EC, pH, NO_3-N, **NH_4-N Field Test**)
(1) l L plastic, unpreserved (white)

( ) DWW2: (DWW1 Plus SO_4, CO_3, HCO_3, Cl, Ca, Mg, Na, TDS)
(1) l L plastic, unpreserved (white)

( ) DCW1: (EC, NO_3-N, TDS)
(1) l L plastic, unpreserved (white)

( ) DPW1: (EC, pH, NO_3-N, NH_4-N, TKN, TDS, TP, TK)
(1) l L plastic, unpreserved (white)

( ) DPW2: (DPW1 Plus Ca, Mg, Na, HCO_3, CO_3, SO_4, Cl)
(1) l L plastic, unpreserved (white)

( ) Other

DESCRIPTION OF SAMPLES		Date Sampled	Time Sampled	Field NH4-N (mg/L)	Received Temp °C
1. NEW well - DW	Sampled From:	12/14/23	11A	Ø	6.6
2. Old well - DW	Sampled From:	12/14/23	11:0A	Ø	4.9
3. ~~[illegible]~~	Sampled From:				
4.	Sampled From:				
5.	Sampled From:				
6.	Sampled From:				
7.	Sampled From:				
8.	Sampled From:				
9.	Sampled From:				
10.	Sampled From:				

IR Thermometer SN: 221314357
Correction Factor: 0°C
Calibration Due: 03/06/2024
Location: Laboratory

CHAIN OF CUSTODY

Carrier	Signature	Company	Received (Date/Time)	Relinquished (Date/Time)
First	mPedroso	OASinc	12/14/23 11:0A	12/14/23 12p
Second	CSM	DLI	12/14/23 12pm	12/14/23 2:15pm
Third				
Fourth	[illegible]	DLI	12/14 14:20	

I guarantee that as the client, or on behalf of the client named, I have the authority to contract the above requested services. Should it be found that I do not have such authority, I agree to be personally liable for all costs and, if there should be action against me for this breach, reasonable attorneys' fees. It is understood that payment is expected to be cash with samples unless terms have been previously arranged. Terms are net 30 days; overdue accounts will be charged a dated damage fee of 2% per month (annually 24 %) or $5.00 per month whichever is greater.

If payment is not made when due and a legitimate dispute exists concerning the product or services of Dellavalle Laboratory, Inc., it will be submitted to mediation under the Rules and Procedures of Creative Alternative to Litigation, Inc. (cal). If the dispute is not resolved in mediation, then the dispute will be submitted to binding arbitration through cal under its Rules and Procedures. The prties will equally bear the costs of mediation/arbitration. If, however, the mediator declares that no legitimate dispute exists, then debtor will pay all mediation and arbitration costs, and in the event of arbitration, reasonable attorneys' fees of Dellavalle Laboratory.

Invoicing Information:

Sampling Hrs ___ Miles ___ Consulting ___

Amt Paid Rec By Check No. Date

Shipping
$ ___ In
$ ___ Out

Signature

Sample received in cooler with ice?
[ ] Yes [ ] No

ctt:update 2020

12/14/23 14:20 23L1018

Shipping Information: Shipped In ☐ Picked-Up ☒ Walk In ☐ DLI Sampler ☐ Other ☐ _____

☐ Samples refrigerated before pick up | ☐ Picked up samples placed in Ice chest

Container: Ice Chest ☒ Box ☐ None ☐ | **Refrigerant:** Wet Ice ☒ Blue Ice ☐ None ☐

Samples Preserved with HNO_3 or H_2SO_4 were: ☐ Received Preserved ☐ Preserved Upon Receipt at Laboratory

	Type of Container(s) Received	Sample Number 1	2	3	4	5	6	7	8	9	10
	Sample Containers for Internal (DLI) Use *(Containers that go into the Lab)*										
Plastics	100 mL sterile plastic $Na_2S_2O_3$ (Green)										
	250 mL unpreserved (White) Plastic										
	250 mL HNO_3 (Red) Plastic										
	* pH Value										
	250 mL H_2SO_4 (Yellow) Plastic										
	* pH Value										
	500 mL unpreserved (White) Plastic										
	1 L unpreserved (White) Plastic	1	1								
	1 L unpreserved (BOD) (Purple) Plastic										
Special	500mL unpreserved (White) Glass										
	PO4-P Kit										
	Other:										
	Sample Containers for Subcontracted ("Send Out") Analyses *(Containers that go in the Subcontract ("Send Out") Refrigerator)*										
Plastics	100 mL sterile plastic $Na_2S_2O_3$ (Green)										
	250 mL unpreserved (White) Plastic										
	250 mL HNO_3 (Red) Plastic										
	250 mL H_2SO_4 (Yellow) Plastic										
	500 mL HNO_3 (Red)										
	1 L unpreserved (White) Plastic										
	1 L unpreserved (BOD) (Purple) Plastic										
	1 L HNO_3 (Red)										
VOA Vials	40 mL VOA, $Na_2S_2O_3$ + MCAA (EPA531)										
	40 mL VOA, $Na_2S_2O_3$ (EPA547)										
	40mL AG VOA unpreserved (White) (Set of 3)										
	40 mL AG VOA, $Na_2S_2O_3$ (Green) (Set of 3)										
	40mL VOA, H_3PO_4 (Set of 3)										
	40 mL VOA, HCl (Blue) (Set of 3)										
	40 mL VOA, $Na_2S_2O_3$ (Green) (Set of 3)										
Glass	250 mL AG unpreserved (White)										
	250 mL AG H_2SO_4 (Yellow)										
	250 mL AG $Na_2S_2O_3$ (Green)										
	250 mL AG $Na_2S_2O_3$ + MCAA										
	500 mL glass unpreserved (White)										
	500 mL AG HCl (Blue)										
	1 L AG unpreserved (White)										
	1 L AG H_2SO_4 (Yellow)										
	1 L AG $Na_2S_2O_3$ (Green)										
	1 L AG HCl (Blue)										
Special	Cr^{6+} - 50mL Plastic w/Borate/HCO_3/CO_3										
	Cyanide - 500 mL NaOH										
	Asbestos - 1L P wrapped in foil (Set of 2)										
	Sulfide - 1 L **AG** or **P** NaOH + ZnAc										
	Chlorite/Bromate - 250 mL AG with EDA										
	HAA5 - 250mL AG Ammonium Chlorite										
	DO KIT										
	Other:										
	Other:										

DRAFT SEND OUT

Report of Dairy Well Water Analysis

DELLAVALLE LABORATORY INC

Antone Gomes & Sons Dairy
519 E Stuhr Road
Newman CA 95360
00-0025489 08

E-mail:
Copy To: cas.labs@yahoo.com

Lab No.: 23L1018
Sampled By: M.Pedroso
Requested By: Don Gomes
Submitted Date: 12/14/23
Reported Date: 12/21/23
Project:
Crop ID:

		Date Sampled	Time Sampled	EC µmhos/cm	EC mmhos/cm	NO_3-N mg/L	Field NH_4-N mg/L	Total NH_4-N mg/L	pH at 25°C unit
1	New Well - DW	12/14/23	11:00	1630	1.63	12.7	ND		7.7
2	Old Well - DW	12/14/23	11:10	1630	1.63	14.5	ND		7.7

***** = Field NH_4-N not Taken.
ND = None Detected

Approved By: Scott M Friedland
Laboratory Director\Technical Manager
ELAP Certification #1595
A2LA Certification #6440.02

DELLAVALLE LABORATORY INC

Report of Dairy Well Water Analysis

Antone Gomes & Sons Dairy
519 E Stuhr Road
Newman CA 95360
00-0025489 08

E-mail:
Copy To: cas.labs@yahoo.com

Lab No.: 23L1018
Sampled By: M.Pedroso
Requested By: Don Gomes
Submitted Date: 12/14/23
Reported Date: 12/21/23
Project:
Crop ID:

		Date Sampled	Time Sampled	EC µmhos/cm	EC mmhos/cm	NO_3-N mg/L	Nitrogen agricultural use Calcs calculated from nitrate-N lbs/AcFoot	lbs/AcInch
1	New Well - DW	12/14/23	11:00	**1630**	**1.63**	**12.7**	34.67	2.89
2	Old Well - DW	12/14/23	11:10	**1630**	**1.63**	**14.5**	39.59	3.30

Water for Crop Use	Total	Total	Nitrate
Nutrient Management	Salts	Salts	Nitrogen
Low Levels	< 900	< 0.90	< 2.0
Significant Levels	900-2200	0.90-2.2	2.0-10.0
High Levels	2200+	2.2+	10.0+

Sampling abbreviations: H.B. = hose bib, S.P. = stand pipe, Dom. = domestic well, IR = irrigation well, AG = ag well.

Nitrate exceeds Water Quality MCL levels if results are above 10 mg/l nitrate-nitrogen NO3-N (equivalent to 45 mg/l nitrate, NO3).

Total Salt results are used to monitor changes of salt in the well aquifers between annual tests.

MCL = Maximum Contaminant Level according to the California Domestic Water Quality and Monitoring Regulations (Title 22)

MDL = Method Detection Limit; **RL** = Reporting Limit, mg/L = ppm.

SM = Standard Methods for the Examination of Water and Wastewater

EPA = Environmental Protection Agency methods used unless otherwise indicated.