**Annual Report - General Order No. R5-2007-0035**
*Reporting period 01/01/2023 to 12/31/2023.*

DAIRY FACILITY INFORMATION

**A. NAME OF DAIRY OR BUSINESS OPERATING THE DAIRY:** Lorinda / Machado / Azevedo Farms

Physical address of dairy:

| Number and Street | City | County | Zip Code |
|---|---|---|---|
| 619 S. Vincent Road | Turlock | Stanislaus | 95380 |

Street and nearest cross street (if no address):

Date facility was originally placed in operation: 06/01/1955

Regional Water Quality Control Board Basin Plan designation: San Joaquin River Basin

County Assessor Parcel Number(s) for dairy facility:

0024-0009-0016-0000 0024-0009-0027-0000

**B. OPERATORS**

Azevedo, John

Operator name: Azevedo, John

Telephone no.: Landline: ; Cellular: (209) 681-8255

| Mailing Address Number and Street | City | State | Zip Code |
|---|---|---|---|
| P.O. Box 828 | Hilmar | CA | 95324 |

Lopes, Loren

Operator name: Lopes, Loren

Telephone no.: Landline: (209) 632-7225; Cellular: (209) 678-2632

| Mailing Address Number and Street | City | State | Zip Code |
|---|---|---|---|
| 619 S Vincent RD | Turlock | CA | 95380 |

**This operator is responsible for paying permit fees.**

Machado, Antonio

Operator name: Machado, Antonio

Telephone no.: Landline: (209) 394-0000; Cellular: (209) 652-4704

| Mailing Address Number and Street | City | State | Zip Code |
|---|---|---|---|
| 5711 Cressey Way | Atwater | CA | 95301 |

Machado, Connie

| | | | | |
|---|---|---|---|---|
| Operator name: Machado, Connie | | Telephone no.: | (209) 394-0000 | (209) 652-4778 |
| | | | Landline | Cellular |
| 5711 Cressey Way | Atwater | | CA | 95301 |
| Mailing Address Number and Street | City | | State | Zip Code |

**C. OWNERS**

Lopes, Linda

| | | | | |
|---|---|---|---|---|
| Legal owner name: Lopes, Linda | | Telephone no.: | (209) 632-7225 | (209) 678-2626 |
| | | | Landline | Cellular |
| 619 S Vincent RD | Turlock | | CA | 95380 |
| Mailing Address Number and Street | City | | State | Zip Code |

Lopes, Loren

| | | | | |
|---|---|---|---|---|
| Legal owner name: Lopes, Loren | | Telephone no.: | (209) 632-7225 | (209) 678-2632 |
| | | | Landline | Cellular |
| 619 S Vincent RD | Turlock | | CA | 95380 |
| Mailing Address Number and Street | City | | State | Zip Code |

**This owner is responsible for paying permit fees.**

**Annual Report - General Order No. R5-2007-0035**
*Reporting period 01/01/2023 to 12/31/2023.*

AVAILABLE NUTRIENTS

## A. HERD INFORMATION

| | Milk Cows | Dry Cows | Bred Heifers (15-24 mo.) | Heifers (7-14 mo. to breeding) | Calves (4-6 mo.) | Calves (0-3 mo.) |
|---|---|---|---|---|---|---|
| Number open confinement | 0 | 28 | 69 | 55 | 8 | 6 |
| Number under roof | 178 | 0 | 0 | 0 | 0 | 0 |
| Maximum number | 420 | 70 | 160 | 140 | 80 | 55 |
| Average number | 178 | 28 | 69 | 55 | 8 | 6 |
| Avg live weight (lbs) | 1,400 | 1,450 | 1,000 | 750 | | |

Predominant milk cow breed: Holstein

Average milk production: 68 *pounds per cow per day*

## B. MANURE GENERATED

Total manure excreted by the herd: 6,232.64 *tons per reporting period*

Total nitrogen from manure: 76,744.39 *lbs per reporting period*

After ammonia losses (30% loss applied): 53,721.07 *lbs per reporting period*

Total phosphorus from manure: 12,722.56 *lbs per reporting period*

Total potassium from manure: 33,854.75 *lbs per reporting period*

Total salt from manure: 90,249.90 *lbs per reporting period*

## C. PROCESS WASTEWATER GENERATED

Process wastewater generated: 11,965,500 *gallons*

Total nitrogen generated: 29,235.20 *lbs*

Total phosphorus generated: 5,798.38 *lbs*

Total potassium generated: 73,074.59 *lbs*

Total salt generated: 268,605.27 *lbs*

| | | |
|---|---|---|
| | 11,965,500 | *gallons applied* |
| + | 0 | *gallons exported* |
| - | 0 | *gallons imported* |
| = | 11,965,500 | *gallons generated* |

## D. FRESH WATER SOURCES

| Source Description | Type |
|---|---|
| Dom-1 | Ground water |
| Dom-2 | Ground water |
| Irrigation Well | Ground water |
| T.I.D Canal | Surface water |

## E. SUBSURFACE (TILE) DRAINAGE SOURCES

*No subsurface (tile) drainage sources entered.*

## F. NUTRIENT IMPORTS

*No dry manure nutrient imports entered.*

*No process wastewater nutrient imports entered.*

*No commercial or other nutrient imports entered.*

## G. NUTRIENT EXPORTS

| Date | Material type | Quantity | Reporting basis | Moisture (%) | Density (lbs/cu ft) | N (mg/kg) | P (mg/kg) | K (mg/kg) | Salt (mg/kg) | TFS (%) |
|---|---|---|---|---|---|---|---|---|---|---|
| 09/07/2023 | Corral solids | 1,138.00 *ton* | Dry-weight | 30.7 | | 15,000.00 | 2,780.00 | 16,000.00 | | 0.00 |

*No liquid nutrient exports entered.*

| Material type | Total N (lbs) | Total P (lbs) | Total K (lbs) | Total salt (lbs) |
|---|---|---|---|---|
| Dry manure | 23,659.02 | 4,384.81 | 25,236.29 | 0.00 |
| Process wastewater | 0.00 | 0.00 | 0.00 | 0.00 |
| Total exports for all materials | 23,659.02 | 4,384.81 | 25,236.29 | 0.00 |

APPLICATION AREA

## A. LIST OF LAND APPLICATION AREAS

| Field name | Controlled acres | Cropable acres | Total harvests | Type of waste applied | Parcel number |
|---|---|---|---|---|---|
| Lorinda #1 | 45 | 43 | 8 | process wastewater | 0024-0009-0016-0000 |
| Lorinda #2 | 15 | 14 | 3 | process wastewater | 0024-0009-0027-0000 |
| Lorinda #3 | 14 | 13 | 3 | process wastewater | 0024-0009-0016-0000<br>0024-0009-0027-0000 |
| Totals for areas that were used for application | 74 | 70 | 14 | | |
| Totals for areas that were not used for application | | | | | |
| Land application area totals | 74 | 70 | 14 | | |

## B. CROPS AND HARVESTS

Lorinda #1

Field name: Lorinda #1

01/22/2022: Wheat, silage, soft dough

Crop: Wheat, silage, soft dough Acres planted: 43 Plant date: 01/22/2022

| Harvest date | Yield | Reporting basis | Density (lbs/cu ft) | Moisture (%) | N (mg/kg) | P (mg/kg) | K (mg/kg) | Salt (mg/kg) | TFS (%) |
|---|---|---|---|---|---|---|---|---|---|
| 05/06/2023 | 163.00 *ton* | Dry-weight | | 60.0 | 16,200.00 | 3,070.00 | 18,200.00 | | 8.60 |
| 05/06/2023 | 162.00 *ton* | Dry-weight | | 60.8 | 14,000.00 | 3,050.00 | 16,900.00 | | 18.60 |
| 05/06/2023 | 162.00 *ton* | Dry-weight | | 53.6 | 13,100.00 | 3,150.00 | 17,600.00 | | 8.80 |
| 05/06/2023 | 162.00 *ton* | Dry-weight | | 68.0 | 16,100.00 | 3,490.00 | 21,700.00 | | 9.80 |

| | Yield (tons/acre) | Total N (lbs/acre) | Total P (lbs/acre) | Total K (lbs/acre) | Salt (lbs/acre) |
|---|---|---|---|---|---|
| Anticipated harvest content | 16.00 | 176.00 | 27.20 | 132.80 | 960.00 |
| Total actual harvest content | 15.09 | 175.10 | 37.75 | 218.96 | 1,354.14 |

## Lorinda #1

### 05/31/2023: Corn, silage

Crop: Corn, silage  Acres planted: 43  Plant date: 05/31/2023

| Harvest date | Yield | Reporting basis | Density (lbs/cu ft) | Moisture (%) | N (mg/kg) | P (mg/kg) | K (mg/kg) | Salt (mg/kg) | TFS (%) |
|---|---|---|---|---|---|---|---|---|---|
| 09/18/2023 | 324.00 *ton* | Dry-weight | | 69.2 | 10,300.00 | 1,440.00 | 13,400.00 | | 6.19 |
| 09/18/2023 | 324.00 *ton* | Dry-weight | | 65.3 | 9,900.00 | 1,660.00 | 12,200.00 | | 6.39 |
| 09/18/2023 | 323.00 *ton* | Dry-weight | | 67.7 | 8,800.00 | 1,620.00 | 11,600.00 | | 5.63 |
| 09/18/2023 | 323.00 *ton* | Dry-weight | | 69.6 | 9,000.00 | 1,690.00 | 12,100.00 | | 5.97 |

| | Yield (tons/acre) | Total N (lbs/acre) | Total P (lbs/acre) | Total K (lbs/acre) | Salt (lbs/acre) |
|---|---|---|---|---|---|
| Anticipated harvest content | 26.00 | 234.00 | 39.00 | 171.60 | 1,040.00 |
| Total actual harvest content | 30.09 | 183.38 | 30.94 | 237.54 | 1,167.31 |

## Lorinda #2

Field name: Lorinda #2

### 11/23/2022: Wheat, silage, soft dough

Crop: Wheat, silage, soft dough  Acres planted: 14  Plant date: 11/23/2022

| Harvest date | Yield | Reporting basis | Density (lbs/cu ft) | Moisture (%) | N (mg/kg) | P (mg/kg) | K (mg/kg) | Salt (mg/kg) | TFS (%) |
|---|---|---|---|---|---|---|---|---|---|
| 05/06/2023 | 211.00 *ton* | Dry-weight | | 58.6 | 19,700.00 | 2,880.00 | 16,900.00 | | 8.50 |

| | Yield (tons/acre) | Total N (lbs/acre) | Total P (lbs/acre) | Total K (lbs/acre) | Salt (lbs/acre) |
|---|---|---|---|---|---|
| Anticipated harvest content | 16.00 | 176.00 | 27.20 | 132.80 | 960.00 |
| Total actual harvest content | 15.07 | 245.84 | 35.94 | 210.90 | 1,060.73 |

## Lorinda #2

### 06/01/2023: Corn, silage

Crop: Corn, silage  Acres planted: 14  Plant date: 06/01/2023

| Harvest date | Yield | Reporting basis | Density (lbs/cu ft) | Moisture (%) | N (mg/kg) | P (mg/kg) | K (mg/kg) | Salt (mg/kg) | TFS (%) |
|---|---|---|---|---|---|---|---|---|---|
| 09/18/2023 | 194.00 *ton* | Dry-weight | | 69.8 | 9,700.00 | 1,740.00 | 12,800.00 | | 5.48 |
| 09/18/2023 | 195.00 *ton* | Dry-weight | | 64.4 | 12,000.00 | 2,220.00 | 14,400.00 | | 6.67 |

| | Yield (tons/acre) | Total N (lbs/acre) | Total P (lbs/acre) | Total K (lbs/acre) | Salt (lbs/acre) |
|---|---|---|---|---|---|
| Anticipated harvest content | 26.00 | 234.00 | 39.00 | 171.60 | 1,040.00 |
| Total actual harvest content | 27.79 | 200.19 | 36.58 | 249.94 | 1,120.13 |

## Lorinda #3

Field name: Lorinda #3

### 01/23/2022: Wheat, silage, soft dough

Crop: Wheat, silage, soft dough  Acres planted: 13  Plant date: 01/23/2022

| Harvest date | Yield | Reporting basis | Density (lbs/cu ft) | Moisture (%) | N (mg/kg) | P (mg/kg) | K (mg/kg) | Salt (mg/kg) | TFS (%) |
|---|---|---|---|---|---|---|---|---|---|
| 05/06/2023 | 196.00 *ton* | Dry-weight | | 52.6 | 23,800.00 | 4,700.00 | 22,700.00 | | 13.00 |

| | Yield (tons/acre) | Total N (lbs/acre) | Total P (lbs/acre) | Total K (lbs/acre) | Salt (lbs/acre) |
|---|---|---|---|---|---|
| Anticipated harvest content | 16.00 | 176.00 | 27.20 | 132.80 | 960.00 |
| Total actual harvest content | 15.08 | 340.17 | 67.18 | 324.45 | 1,858.08 |

Lorinda #3

06/01/2023: Corn, silage

Crop: Corn, silage Acres planted: 13 Plant date: 06/01/2023

| Harvest date | Yield | Reporting basis | Density (lbs/cu ft) | Moisture (%) | N (mg/kg) | P (mg/kg) | K (mg/kg) | Salt (mg/kg) | TFS (%) |
|---|---|---|---|---|---|---|---|---|---|
| 09/18/2023 | 218.00 *ton* | Dry-weight | | 69.8 | 9,700.00 | 1,740.00 | 12,800.00 | | 5.48 |
| 09/18/2023 | 219.00 *ton* | Dry-weight | | 67.9 | 9,800.00 | 1,990.00 | 12,200.00 | | 6.17 |

| | Yield (tons/acre) | Total N (lbs/acre) | Total P (lbs/acre) | Total K (lbs/acre) | Salt (lbs/acre) |
|---|---|---|---|---|---|
| Anticipated harvest content | 26.00 | 234.00 | 39.00 | 171.60 | 1,040.00 |
| Total actual harvest content | 33.62 | 204.24 | 39.15 | 261.59 | 1,222.35 |

NUTRIENT BUDGET

## A. LAND APPLICATIONS

Lorinda #1 - 01/22/2022: Wheat, silage, soft dough

Field name: Lorinda #1

Crop: Wheat, silage, soft dough

Plant date: 01/22/2022

| Application date | Application method | Precipitation 24 hours prior | Precipitation during application | Precipitation 24 hours following |
|---|---|---|---|---|
| 10/04/2022 | Surface (irrigation) | No precipitation | No precipitation | No precipitation |

| Source description | Material type | N (lbs/acre) | P (lbs/acre) | K (lbs/acre) | Salt (lbs/acre) | Amount |
|---|---|---|---|---|---|---|
| Lagoon Water Application | Process wastewater | 48.72 | 9.49 | 122.26 | 424.78 | 684,000.00 *gal* |
| T.I.D Canal | Surface water | 0.00 | 0.00 | 0.00 | 15.64 | 4,740,000.00 *gal* |
| Application event totals | | 48.72 | 9.49 | 122.26 | 440.42 | |

| Application date | Application method | Precipitation 24 hours prior | Precipitation during application | Precipitation 24 hours following |
|---|---|---|---|---|
| 11/08/2022 | Surface (irrigation) | No precipitation | No precipitation | No precipitation |

| Source description | Material type | N (lbs/acre) | P (lbs/acre) | K (lbs/acre) | Salt (lbs/acre) | Amount |
|---|---|---|---|---|---|---|
| Lagoon Water Application | Process wastewater | 25.64 | 5.00 | 64.35 | 223.57 | 360,000.00 *gal* |
| T.I.D Canal | Surface water | 0.00 | 0.00 | 0.00 | 5.94 | 1,800,000.00 *gal* |
| Application event totals | | 25.64 | 5.00 | 64.35 | 229.51 | |

| Application date | Application method | Precipitation 24 hours prior | Precipitation during application | Precipitation 24 hours following |
|---|---|---|---|---|
| 11/18/2022 | Surface (irrigation) | No precipitation | No precipitation | No precipitation |

| Source description | Material type | N (lbs/acre) | P (lbs/acre) | K (lbs/acre) | Salt (lbs/acre) | Amount |
|---|---|---|---|---|---|---|
| Lagoon Water Application | Process wastewater | 9.40 | 1.83 | 23.59 | 81.98 | 132,000.00 *gal* |
| Irrigation Well | Ground water | 3.30 | 0.00 | 0.00 | 93.50 | 660,000.00 *gal* |
| Application event totals | | 12.71 | 1.83 | 23.59 | 175.48 | |

| Application date | Application method | Precipitation 24 hours prior | Precipitation during application | Precipitation 24 hours following |
|---|---|---|---|---|
| 11/29/2022 | Surface (irrigation) | No precipitation | No precipitation | No precipitation |

| Source description | Material type | N (lbs/acre) | P (lbs/acre) | K (lbs/acre) | Salt (lbs/acre) | Amount |
|---|---|---|---|---|---|---|
| Lagoon Water Application | Process wastewater | 17.95 | 3.50 | 45.04 | 156.50 | 252,000.00 *gal* |
| Irrigation Well | Ground water | 6.31 | 0.00 | 0.00 | 178.51 | 1,260,000.00 *gal* |
| Application event totals | | 24.26 | 3.50 | 45.04 | 335.00 | |

## Lorinda #1 - 01/22/2022: Wheat, silage, soft dough

| Application date | Application method | Precipitation 24 hours prior | Precipitation during application | Precipitation 24 hours following |
|---|---|---|---|---|
| 12/05/2022 | Surface (irrigation) | No precipitation | No precipitation | No precipitation |

| Source description | Material type | N (lbs/acre) | P (lbs/acre) | K (lbs/acre) | Salt (lbs/acre) | Amount |
|---|---|---|---|---|---|---|
| Blended Lg and Fresh Water Application | Process wastewater | 24.79 | 4.83 | 62.20 | 216.12 | 348,000.00 *gal* |
| Application event totals | | 24.79 | 4.83 | 62.20 | 216.12 | |

| Application date | Application method | Precipitation 24 hours prior | Precipitation during application | Precipitation 24 hours following |
|---|---|---|---|---|
| 12/12/2022 | Surface (irrigation) | No precipitation | No precipitation | No precipitation |

| Source description | Material type | N (lbs/acre) | P (lbs/acre) | K (lbs/acre) | Salt (lbs/acre) | Amount |
|---|---|---|---|---|---|---|
| Blended Lg and Fresh Water Application | Process wastewater | 19.66 | 3.83 | 49.33 | 171.40 | 276,000.00 *gal* |
| Application event totals | | 19.66 | 3.83 | 49.33 | 171.40 | |

| Application date | Application method | Precipitation 24 hours prior | Precipitation during application | Precipitation 24 hours following |
|---|---|---|---|---|
| 01/14/2023 | Surface (irrigation) | No precipitation | No precipitation | No precipitation |

| Source description | Material type | N (lbs/acre) | P (lbs/acre) | K (lbs/acre) | Salt (lbs/acre) | Amount |
|---|---|---|---|---|---|---|
| Blended Lg and Fresh Water Application | Process wastewater | 50.07 | 4.47 | 50.80 | 425.01 | 750,000.00 *gal* |
| Application event totals | | 50.07 | 4.47 | 50.80 | 425.01 | |

| Application date | Application method | Precipitation 24 hours prior | Precipitation during application | Precipitation 24 hours following |
|---|---|---|---|---|
| 02/06/2023 | Surface (irrigation) | No precipitation | No precipitation | No precipitation |

| Source description | Material type | N (lbs/acre) | P (lbs/acre) | K (lbs/acre) | Salt (lbs/acre) | Amount |
|---|---|---|---|---|---|---|
| Blended Lg and Fresh Water Application | Process wastewater | 6.41 | 0.57 | 6.50 | 54.40 | 96,000.00 *gal* |
| Application event totals | | 6.41 | 0.57 | 6.50 | 54.40 | |

| Application date | Application method | Precipitation 24 hours prior | Precipitation during application | Precipitation 24 hours following |
|---|---|---|---|---|
| 03/10/2023 | Surface (irrigation) | No precipitation | No precipitation | No precipitation |

| Source description | Material type | N (lbs/acre) | P (lbs/acre) | K (lbs/acre) | Salt (lbs/acre) | Amount |
|---|---|---|---|---|---|---|
| Blended Lg and Fresh Water Application | Process wastewater | 9.21 | 0.82 | 9.35 | 78.20 | 138,000.00 *gal* |
| Application event totals | | 9.21 | 0.82 | 9.35 | 78.20 | |

| Application date | Application method | Precipitation 24 hours prior | Precipitation during application | Precipitation 24 hours following |
|---|---|---|---|---|
| 04/24/2023 | Surface (irrigation) | No precipitation | No precipitation | No precipitation |

| Source description | Material type | N (lbs/acre) | P (lbs/acre) | K (lbs/acre) | Salt (lbs/acre) | Amount |
|---|---|---|---|---|---|---|
| T.I.D Canal | Surface water | 0.00 | 0.00 | 0.00 | 6.93 | 2,100,000.00 *gal* |
| Application event totals | | 0.00 | 0.00 | 0.00 | 6.93 | |

## Lorinda #1 - 05/31/2023: Corn, silage

## Lorinda #1 - 05/31/2023: Corn, silage

Field name: Lorinda #1

Crop: Corn, silage

Plant date: 05/31/2023

| Application date | Application method | Precipitation 24 hours prior | Precipitation during application | Precipitation 24 hours following |
|---|---|---|---|---|
| 05/23/2023 | Surface (irrigation) | No precipitation | No precipitation | No precipitation |

| Source description | Material type | N (lbs/acre) | P (lbs/acre) | K (lbs/acre) | Salt (lbs/acre) | Amount |
|---|---|---|---|---|---|---|
| Lagoon Water Application | Process wastewater | 54.70 | 10.66 | 137.27 | 476.95 | 768,000.00 *gal* |
| T.I.D Canal | Surface water | 0.00 | 0.00 | 0.00 | 16.43 | 4,980,000.00 *gal* |
| Application event totals | | 54.70 | 10.66 | 137.27 | 493.38 | |

| Application date | Application method | Precipitation 24 hours prior | Precipitation during application | Precipitation 24 hours following |
|---|---|---|---|---|
| 06/28/2023 | Surface (irrigation) | No precipitation | No precipitation | No precipitation |

| Source description | Material type | N (lbs/acre) | P (lbs/acre) | K (lbs/acre) | Salt (lbs/acre) | Amount |
|---|---|---|---|---|---|---|
| T.I.D Canal | Surface water | 0.00 | 0.00 | 0.00 | 14.45 | 4,380,000.00 *gal* |
| Application event totals | | 0.00 | 0.00 | 0.00 | 14.45 | |

| Application date | Application method | Precipitation 24 hours prior | Precipitation during application | Precipitation 24 hours following |
|---|---|---|---|---|
| 07/10/2023 | Surface (irrigation) | No precipitation | No precipitation | No precipitation |

| Source description | Material type | N (lbs/acre) | P (lbs/acre) | K (lbs/acre) | Salt (lbs/acre) | Amount |
|---|---|---|---|---|---|---|
| T.I.D Canal | Surface water | 0.00 | 0.00 | 0.00 | 11.28 | 3,420,000.00 *gal* |
| Application event totals | | 0.00 | 0.00 | 0.00 | 11.28 | |

| Application date | Application method | Precipitation 24 hours prior | Precipitation during application | Precipitation 24 hours following |
|---|---|---|---|---|
| 07/19/2023 | Surface (irrigation) | No precipitation | No precipitation | No precipitation |

| Source description | Material type | N (lbs/acre) | P (lbs/acre) | K (lbs/acre) | Salt (lbs/acre) | Amount |
|---|---|---|---|---|---|---|
| Lagoon Water Application | Process wastewater | 27.35 | 5.33 | 68.64 | 238.47 | 384,000.00 *gal* |
| T.I.D Canal | Surface water | 0.00 | 0.00 | 0.00 | 9.50 | 2,880,000.00 *gal* |
| Application event totals | | 27.35 | 5.33 | 68.64 | 247.97 | |

| Application date | Application method | Precipitation 24 hours prior | Precipitation during application | Precipitation 24 hours following |
|---|---|---|---|---|
| 07/25/2023 | Surface (irrigation) | No precipitation | No precipitation | No precipitation |

| Source description | Material type | N (lbs/acre) | P (lbs/acre) | K (lbs/acre) | Salt (lbs/acre) | Amount |
|---|---|---|---|---|---|---|
| Lagoon Water Application | Process wastewater | 22.22 | 4.33 | 55.77 | 193.76 | 312,000.00 *gal* |
| T.I.D Canal | Surface water | 0.00 | 0.00 | 0.00 | 2.57 | 780,000.00 *gal* |
| Application event totals | | 22.22 | 4.33 | 55.77 | 196.33 | |

## Lorinda #1 - 05/31/2023: Corn, silage

| Application date | Application method | Precipitation 24 hours prior | Precipitation during application | Precipitation 24 hours following |
|---|---|---|---|---|
| 08/01/2023 | Surface (irrigation) | No precipitation | No precipitation | No precipitation |

| Source description | Material type | N (lbs/acre) | P (lbs/acre) | K (lbs/acre) | Salt (lbs/acre) | Amount |
|---|---|---|---|---|---|---|
| Lagoon Water Application | Process wastewater | 31.64 | 2.82 | 32.10 | 268.61 | 474,000.00 *gal* |
| T.I.D Canal | Surface water | 0.00 | 0.00 | 0.00 | 9.40 | 2,850,000.00 *gal* |
| Application event totals | | 31.64 | 2.82 | 32.10 | 278.01 | |

| Application date | Application method | Precipitation 24 hours prior | Precipitation during application | Precipitation 24 hours following |
|---|---|---|---|---|
| 08/07/2023 | Surface (irrigation) | No precipitation | No precipitation | No precipitation |

| Source description | Material type | N (lbs/acre) | P (lbs/acre) | K (lbs/acre) | Salt (lbs/acre) | Amount |
|---|---|---|---|---|---|---|
| Lagoon Water Application | Process wastewater | 4.10 | 1.48 | 18.93 | 34.84 | 132,000.00 *gal* |
| T.I.D Canal | Surface water | 0.00 | 0.00 | 0.00 | 8.12 | 2,460,000.00 *gal* |
| Application event totals | | 4.10 | 1.48 | 18.93 | 42.96 | |

| Application date | Application method | Precipitation 24 hours prior | Precipitation during application | Precipitation 24 hours following |
|---|---|---|---|---|
| 08/16/2023 | Surface (irrigation) | No precipitation | No precipitation | No precipitation |

| Source description | Material type | N (lbs/acre) | P (lbs/acre) | K (lbs/acre) | Salt (lbs/acre) | Amount |
|---|---|---|---|---|---|---|
| Lagoon Water Application | Process wastewater | 4.84 | 1.75 | 22.37 | 41.17 | 156,000.00 *gal* |
| T.I.D Canal | Surface water | 0.00 | 0.00 | 0.00 | 8.51 | 2,580,000.00 *gal* |
| Application event totals | | 4.84 | 1.75 | 22.37 | 49.69 | |

| Application date | Application method | Precipitation 24 hours prior | Precipitation during application | Precipitation 24 hours following |
|---|---|---|---|---|
| 08/23/2023 | Surface (irrigation) | No precipitation | No precipitation | No precipitation |

| Source description | Material type | N (lbs/acre) | P (lbs/acre) | K (lbs/acre) | Salt (lbs/acre) | Amount |
|---|---|---|---|---|---|---|
| Lagoon Water Application | Process wastewater | 15.84 | 5.71 | 73.14 | 134.61 | 510,000.00 *gal* |
| T.I.D Canal | Surface water | 0.00 | 0.00 | 0.00 | 8.41 | 2,550,000.00 *gal* |
| Application event totals | | 15.84 | 5.71 | 73.14 | 143.02 | |

| Application date | Application method | Precipitation 24 hours prior | Precipitation during application | Precipitation 24 hours following |
|---|---|---|---|---|
| 08/30/2023 | Surface (irrigation) | No precipitation | No precipitation | No precipitation |

| Source description | Material type | N (lbs/acre) | P (lbs/acre) | K (lbs/acre) | Salt (lbs/acre) | Amount |
|---|---|---|---|---|---|---|
| Lagoon Water Application | Process wastewater | 15.46 | 5.58 | 71.42 | 131.44 | 498,000.00 *gal* |
| T.I.D Canal | Surface water | 0.00 | 0.00 | 0.00 | 8.21 | 2,490,000.00 *gal* |
| Application event totals | | 15.46 | 5.58 | 71.42 | 139.65 | |

## Lorinda #1 - 05/31/2023: Corn, silage

| Application date | Application method | Precipitation 24 hours prior | Precipitation during application | Precipitation 24 hours following |
|---|---|---|---|---|
| 09/06/2023 | Surface (irrigation) | No precipitation | No precipitation | No precipitation |

| Source description | Material type | N (lbs/acre) | P (lbs/acre) | K (lbs/acre) | Salt (lbs/acre) | Amount |
|---|---|---|---|---|---|---|
| Lagoon Water Application | Process wastewater | 12.67 | 4.57 | 58.51 | 107.69 | 408,000.00 *gal* |
| T.I.D Canal | Surface water | 0.00 | 0.00 | 0.00 | 6.73 | 2,040,000.00 *gal* |
| Application event totals | | 12.67 | 4.57 | 58.51 | 114.42 | |

## Lorinda #2 - 11/23/2022: Wheat, silage, soft dough

Field name: Lorinda #2

Crop: Wheat, silage, soft dough

Plant date: 11/23/2022

| Application date | Application method | Precipitation 24 hours prior | Precipitation during application | Precipitation 24 hours following |
|---|---|---|---|---|
| 09/08/2022 | Surface (irrigation) | No precipitation | No precipitation | No precipitation |

| Source description | Material type | N (lbs/acre) | P (lbs/acre) | K (lbs/acre) | Salt (lbs/acre) | Amount |
|---|---|---|---|---|---|---|
| Lagoon Water Application | Process wastewater | 15.75 | 3.07 | 39.53 | 137.33 | 72,000.00 *gal* |
| Irrigation Well | Ground water | 25.84 | 0.00 | 0.00 | 731.02 | 1,680,000.00 *gal* |
| Application event totals | | 41.59 | 3.07 | 39.53 | 868.36 | |

| Application date | Application method | Precipitation 24 hours prior | Precipitation during application | Precipitation 24 hours following |
|---|---|---|---|---|
| 09/16/2022 | Surface (irrigation) | No precipitation | No precipitation | No precipitation |

| Source description | Material type | N (lbs/acre) | P (lbs/acre) | K (lbs/acre) | Salt (lbs/acre) | Amount |
|---|---|---|---|---|---|---|
| Lagoon Water Application | Process wastewater | 31.50 | 6.14 | 79.05 | 274.67 | 144,000.00 *gal* |
| Irrigation Well | Ground water | 14.76 | 0.00 | 0.00 | 417.73 | 960,000.00 *gal* |
| Application event totals | | 46.26 | 6.14 | 79.05 | 692.40 | |

| Application date | Application method | Precipitation 24 hours prior | Precipitation during application | Precipitation 24 hours following |
|---|---|---|---|---|
| 09/28/2022 | Surface (irrigation) | No precipitation | No precipitation | No precipitation |

| Source description | Material type | N (lbs/acre) | P (lbs/acre) | K (lbs/acre) | Salt (lbs/acre) | Amount |
|---|---|---|---|---|---|---|
| Lagoon Water Application | Process wastewater | 51.19 | 9.97 | 128.46 | 446.34 | 234,000.00 *gal* |
| Irrigation Well | Ground water | 23.99 | 0.00 | 0.00 | 678.81 | 1,560,000.00 *gal* |
| Application event totals | | 75.18 | 9.97 | 128.46 | 1,125.14 | |

## Lorinda #2 - 11/23/2022: Wheat, silage, soft dough

| Application date | Application method | Precipitation 24 hours prior | Precipitation during application | Precipitation 24 hours following |
|---|---|---|---|---|
| 10/04/2022 | Surface (irrigation) | No precipitation | No precipitation | No precipitation |

| Source description | Material type | N (lbs/acre) | P (lbs/acre) | K (lbs/acre) | Salt (lbs/acre) | Amount |
|---|---|---|---|---|---|---|
| Lagoon Water Application | Process wastewater | 43.31 | 8.44 | 108.70 | 377.67 | 198,000.00 *gal* |
| T.I.D Canal | Surface water | 0.00 | 0.00 | 0.00 | 13.38 | 1,320,000.00 *gal* |
| Application event totals | | 43.31 | 8.44 | 108.70 | 391.05 | |

| Application date | Application method | Precipitation 24 hours prior | Precipitation during application | Precipitation 24 hours following |
|---|---|---|---|---|
| 12/30/2022 | Surface (irrigation) | No precipitation | No precipitation | No precipitation |

| Source description | Material type | N (lbs/acre) | P (lbs/acre) | K (lbs/acre) | Salt (lbs/acre) | Amount |
|---|---|---|---|---|---|---|
| Blended Lg and Fresh Water Application | Process wastewater | 36.42 | 7.10 | 91.41 | 317.59 | 166,500.00 *gal* |
| Application event totals | | 36.42 | 7.10 | 91.41 | 317.59 | |

| Application date | Application method | Precipitation 24 hours prior | Precipitation during application | Precipitation 24 hours following |
|---|---|---|---|---|
| 01/26/2023 | Surface (irrigation) | No precipitation | No precipitation | No precipitation |

| Source description | Material type | N (lbs/acre) | P (lbs/acre) | K (lbs/acre) | Salt (lbs/acre) | Amount |
|---|---|---|---|---|---|---|
| Blended Lg and Fresh Water Application | Process wastewater | 54.44 | 4.86 | 55.23 | 462.11 | 265,500.00 *gal* |
| Application event totals | | 54.44 | 4.86 | 55.23 | 462.11 | |

| Application date | Application method | Precipitation 24 hours prior | Precipitation during application | Precipitation 24 hours following |
|---|---|---|---|---|
| 04/24/2023 | Surface (irrigation) | No precipitation | No precipitation | No precipitation |

| Source description | Material type | N (lbs/acre) | P (lbs/acre) | K (lbs/acre) | Salt (lbs/acre) | Amount |
|---|---|---|---|---|---|---|
| Blended Lg and Fresh Water Application | Process wastewater | 38.50 | 5.76 | 118.08 | 1,050.13 | 391,500.00 *gal* |
| Application event totals | | 38.50 | 5.76 | 118.08 | 1,050.13 | |

## Lorinda #2 - 06/01/2023: Corn, silage

Field name: Lorinda #2

Crop: Corn, silage

Plant date: 06/01/2023

| Application date | Application method | Precipitation 24 hours prior | Precipitation during application | Precipitation 24 hours following |
|---|---|---|---|---|

Lorinda #2 - 06/01/2023: Corn, silage

| Application date | Application method | Precipitation 24 hours prior | Precipitation during application | Precipitation 24 hours following |
|---|---|---|---|---|
| 05/22/2023 | Surface (irrigation) | No precipitation | No precipitation | No precipitation |

| Source description | Material type | N (lbs/acre) | P (lbs/acre) | K (lbs/acre) | Salt (lbs/acre) | Amount |
|---|---|---|---|---|---|---|
| Lagoon Water Application | Process wastewater | 51.93 | 7.77 | 159.25 | 1,416.27 | 528,000.00 *gal* |
| T.I.D Canal | Surface water | 0.00 | 0.00 | 0.00 | 24.08 | 2,376,000.00 *gal* |
| Application event totals | | 51.93 | 7.77 | 159.25 | 1,440.34 | |

| Application date | Application method | Precipitation 24 hours prior | Precipitation during application | Precipitation 24 hours following |
|---|---|---|---|---|
| 06/28/2023 | Surface (irrigation) | No precipitation | No precipitation | No precipitation |

| Source description | Material type | N (lbs/acre) | P (lbs/acre) | K (lbs/acre) | Salt (lbs/acre) | Amount |
|---|---|---|---|---|---|---|
| T.I.D Canal | Surface water | 0.00 | 0.00 | 0.00 | 16.42 | 1,620,000.00 *gal* |
| Application event totals | | 0.00 | 0.00 | 0.00 | 16.42 | |

| Application date | Application method | Precipitation 24 hours prior | Precipitation during application | Precipitation 24 hours following |
|---|---|---|---|---|
| 07/11/2023 | Surface (irrigation) | No precipitation | No precipitation | No precipitation |

| Source description | Material type | N (lbs/acre) | P (lbs/acre) | K (lbs/acre) | Salt (lbs/acre) | Amount |
|---|---|---|---|---|---|---|
| T.I.D Canal | Surface water | 0.00 | 0.00 | 0.00 | 14.23 | 1,404,000.00 *gal* |
| Application event totals | | 0.00 | 0.00 | 0.00 | 14.23 | |

| Application date | Application method | Precipitation 24 hours prior | Precipitation during application | Precipitation 24 hours following |
|---|---|---|---|---|
| 07/19/2023 | Surface (irrigation) | No precipitation | No precipitation | No precipitation |

| Source description | Material type | N (lbs/acre) | P (lbs/acre) | K (lbs/acre) | Salt (lbs/acre) | Amount |
|---|---|---|---|---|---|---|
| Lagoon Water Application | Process wastewater | 27.47 | 9.91 | 126.86 | 233.47 | 288,000.00 *gal* |
| T.I.D Canal | Surface water | 0.00 | 0.00 | 0.00 | 13.13 | 1,296,000.00 *gal* |
| Application event totals | | 27.47 | 9.91 | 126.86 | 246.60 | |

| Application date | Application method | Precipitation 24 hours prior | Precipitation during application | Precipitation 24 hours following |
|---|---|---|---|---|
| 08/01/2023 | Surface (irrigation) | No precipitation | No precipitation | No precipitation |

| Source description | Material type | N (lbs/acre) | P (lbs/acre) | K (lbs/acre) | Salt (lbs/acre) | Amount |
|---|---|---|---|---|---|---|
| T.I.D Canal | Surface water | 0.00 | 0.00 | 0.00 | 11.22 | 1,107,000.00 *gal* |
| Application event totals | | 0.00 | 0.00 | 0.00 | 11.22 | |

| Application date | Application method | Precipitation 24 hours prior | Precipitation during application | Precipitation 24 hours following |
|---|---|---|---|---|
| 08/07/2023 | Surface (irrigation) | No precipitation | No precipitation | No precipitation |

| Source description | Material type | N (lbs/acre) | P (lbs/acre) | K (lbs/acre) | Salt (lbs/acre) | Amount |
|---|---|---|---|---|---|---|
| T.I.D Canal | Surface water | 0.00 | 0.00 | 0.00 | 10.94 | 1,080,000.00 *gal* |
| Application event totals | | 0.00 | 0.00 | 0.00 | 10.94 | |

## Lorinda #2 - 06/01/2023: Corn, silage

| Application date | Application method | Precipitation 24 hours prior | Precipitation during application | Precipitation 24 hours following |
|---|---|---|---|---|
| 08/16/2023 | Surface (irrigation) | No precipitation | No precipitation | No precipitation |

| Source description | Material type | N (lbs/acre) | P (lbs/acre) | K (lbs/acre) | Salt (lbs/acre) | Amount |
|---|---|---|---|---|---|---|
| Lagoon Water Application | Process wastewater | 22.89 | 8.25 | 105.72 | 194.56 | 240,000.00 *gal* |
| T.I.D Canal | Surface water | 0.00 | 0.00 | 0.00 | 10.94 | 1,080,000.00 *gal* |
| Application event totals | | 22.89 | 8.25 | 105.72 | 205.50 | |

| Application date | Application method | Precipitation 24 hours prior | Precipitation during application | Precipitation 24 hours following |
|---|---|---|---|---|
| 08/28/2023 | Surface (irrigation) | No precipitation | No precipitation | No precipitation |

| Source description | Material type | N (lbs/acre) | P (lbs/acre) | K (lbs/acre) | Salt (lbs/acre) | Amount |
|---|---|---|---|---|---|---|
| T.I.D Canal | Surface water | 0.00 | 0.00 | 0.00 | 11.49 | 1,134,000.00 *gal* |
| Application event totals | | 0.00 | 0.00 | 0.00 | 11.49 | |

| Application date | Application method | Precipitation 24 hours prior | Precipitation during application | Precipitation 24 hours following |
|---|---|---|---|---|
| 08/30/2023 | Surface (irrigation) | No precipitation | No precipitation | No precipitation |

| Source description | Material type | N (lbs/acre) | P (lbs/acre) | K (lbs/acre) | Salt (lbs/acre) | Amount |
|---|---|---|---|---|---|---|
| Lagoon Water Application | Process wastewater | 22.89 | 8.25 | 105.72 | 194.56 | 240,000.00 *gal* |
| T.I.D Canal | Surface water | 0.00 | 0.00 | 0.00 | 10.94 | 1,080,000.00 *gal* |
| Application event totals | | 22.89 | 8.25 | 105.72 | 205.50 | |

| Application date | Application method | Precipitation 24 hours prior | Precipitation during application | Precipitation 24 hours following |
|---|---|---|---|---|
| 09/06/2023 | Surface (irrigation) | No precipitation | No precipitation | No precipitation |

| Source description | Material type | N (lbs/acre) | P (lbs/acre) | K (lbs/acre) | Salt (lbs/acre) | Amount |
|---|---|---|---|---|---|---|
| Lagoon Water Application | Process wastewater | 44.86 | 7.74 | 44.98 | 206.00 | 192,000.00 *gal* |
| T.I.D Canal | Surface water | 0.00 | 0.00 | 0.00 | 8.76 | 864,000.00 *gal* |
| Application event totals | | 44.86 | 7.74 | 44.98 | 214.76 | |

## Lorinda #3 - 01/23/2022: Wheat, silage, soft dough

Field name: Lorinda #3

Crop: Wheat, silage, soft dough

Plant date: 01/23/2022

| Application date | Application method | Precipitation 24 hours prior | Precipitation during application | Precipitation 24 hours following |
|---|---|---|---|---|

## Lorinda #3 - 01/23/2022: Wheat, silage, soft dough

| Application date | Application method | Precipitation 24 hours prior | Precipitation during application | Precipitation 24 hours following |
|---|---|---|---|---|
| 10/04/2022 | Surface (irrigation) | No precipitation | No precipitation | No precipitation |

| Source description | Material type | N (lbs/acre) | P (lbs/acre) | K (lbs/acre) | Salt (lbs/acre) | Amount |
|---|---|---|---|---|---|---|
| Lagoon Water Application | Process wastewater | 135.70 | 26.44 | 340.54 | 1,183.19 | 576,000.00 *gal* |
| T.I.D Canal | Surface water | 0.00 | 0.00 | 0.00 | 13.75 | 1,260,000.00 *gal* |
| Application event totals | | 135.70 | 26.44 | 340.54 | 1,196.94 | |

| Application date | Application method | Precipitation 24 hours prior | Precipitation during application | Precipitation 24 hours following |
|---|---|---|---|---|
| 10/28/2022 | Surface (irrigation) | No precipitation | No precipitation | No precipitation |

| Source description | Material type | N (lbs/acre) | P (lbs/acre) | K (lbs/acre) | Salt (lbs/acre) | Amount |
|---|---|---|---|---|---|---|
| Irrigation Well | Ground water | 11.92 | 0.00 | 0.00 | 337.39 | 720,000.00 *gal* |
| Application event totals | | 11.92 | 0.00 | 0.00 | 337.39 | |

| Application date | Application method | Precipitation 24 hours prior | Precipitation during application | Precipitation 24 hours following |
|---|---|---|---|---|
| 12/26/2022 | Surface (irrigation) | No precipitation | No precipitation | No precipitation |

| Source description | Material type | N (lbs/acre) | P (lbs/acre) | K (lbs/acre) | Salt (lbs/acre) | Amount |
|---|---|---|---|---|---|---|
| Blended Lg and Fresh Water Application | Process wastewater | 135.70 | 26.44 | 340.54 | 1,183.19 | 576,000.00 *gal* |
| Application event totals | | 135.70 | 26.44 | 340.54 | 1,183.19 | |

## Lorinda #3 - 06/01/2023: Corn, silage

Field name: Lorinda #3

Crop: Corn, silage

Plant date: 06/01/2023

| Application date | Application method | Precipitation 24 hours prior | Precipitation during application | Precipitation 24 hours following |
|---|---|---|---|---|
| 05/22/2023 | Surface (irrigation) | No precipitation | No precipitation | No precipitation |

| Source description | Material type | N (lbs/acre) | P (lbs/acre) | K (lbs/acre) | Salt (lbs/acre) | Amount |
|---|---|---|---|---|---|---|
| T.I.D Canal | Surface water | 0.00 | 0.00 | 0.00 | 21.80 | 1,998,000.00 *gal* |
| Application event totals | | 0.00 | 0.00 | 0.00 | 21.80 | |

| Application date | Application method | Precipitation 24 hours prior | Precipitation during application | Precipitation 24 hours following |
|---|---|---|---|---|
| 06/28/2023 | Surface (irrigation) | No precipitation | No precipitation | No precipitation |

| Source description | Material type | N (lbs/acre) | P (lbs/acre) | K (lbs/acre) | Salt (lbs/acre) | Amount |
|---|---|---|---|---|---|---|
| T.I.D Canal | Surface water | 0.00 | 0.00 | 0.00 | 12.37 | 1,134,000.00 *gal* |
| Application event totals | | 0.00 | 0.00 | 0.00 | 12.37 | |

## Lorinda #3 - 06/01/2023: Corn, silage

| Application date | Application method | Precipitation 24 hours prior | Precipitation during application | Precipitation 24 hours following |
|---|---|---|---|---|
| 07/10/2023 | Surface (irrigation) | No precipitation | No precipitation | No precipitation |

| Source description | Material type | N (lbs/acre) | P (lbs/acre) | K (lbs/acre) | Salt (lbs/acre) | Amount |
|---|---|---|---|---|---|---|
| T.I.D Canal | Surface water | 0.00 | 0.00 | 0.00 | 10.61 | 972,000.00 *gal* |
| Application event totals | | 0.00 | 0.00 | 0.00 | 10.61 | |

| | | | | |
|---|---|---|---|---|
| 07/19/2023 | Surface (irrigation) | No precipitation | No precipitation | No precipitation |

| Source description | Material type | N (lbs/acre) | P (lbs/acre) | K (lbs/acre) | Salt (lbs/acre) | Amount |
|---|---|---|---|---|---|---|
| T.I.D Canal | Surface water | 0.00 | 0.00 | 0.00 | 9.43 | 864,000.00 *gal* |
| Application event totals | | 0.00 | 0.00 | 0.00 | 9.43 | |

| | | | | |
|---|---|---|---|---|
| 07/25/2023 | Surface (irrigation) | No precipitation | No precipitation | No precipitation |

| Source description | Material type | N (lbs/acre) | P (lbs/acre) | K (lbs/acre) | Salt (lbs/acre) | Amount |
|---|---|---|---|---|---|---|
| T.I.D Canal | Surface water | 0.00 | 0.00 | 0.00 | 9.43 | 864,000.00 *gal* |
| Application event totals | | 0.00 | 0.00 | 0.00 | 9.43 | |

| | | | | |
|---|---|---|---|---|
| 08/01/2023 | Surface (irrigation) | No precipitation | No precipitation | No precipitation |

| Source description | Material type | N (lbs/acre) | P (lbs/acre) | K (lbs/acre) | Salt (lbs/acre) | Amount |
|---|---|---|---|---|---|---|
| Lagoon Water Application | Process wastewater | 16.64 | 6.00 | 76.85 | 141.43 | 162,000.00 *gal* |
| T.I.D Canal | Surface water | 0.00 | 0.00 | 0.00 | 7.96 | 729,000.00 *gal* |
| Application event totals | | 16.64 | 6.00 | 76.85 | 149.38 | |

| | | | | |
|---|---|---|---|---|
| 08/07/2023 | Surface (irrigation) | No precipitation | No precipitation | No precipitation |

| Source description | Material type | N (lbs/acre) | P (lbs/acre) | K (lbs/acre) | Salt (lbs/acre) | Amount |
|---|---|---|---|---|---|---|
| Lagoon Water Application | Process wastewater | 14.79 | 5.33 | 68.31 | 125.71 | 144,000.00 *gal* |
| T.I.D Canal | Surface water | 0.00 | 0.00 | 0.00 | 7.07 | 648,000.00 *gal* |
| Application event totals | | 14.79 | 5.33 | 68.31 | 132.79 | |

## Lorinda #3 - 06/01/2023: Corn, silage

| Application date | Application method | Precipitation 24 hours prior | Precipitation during application | Precipitation 24 hours following |
|---|---|---|---|---|
| 08/16/2023 | Surface (irrigation) | No precipitation | No precipitation | No precipitation |

| Source description | Material type | N (lbs/acre) | P (lbs/acre) | K (lbs/acre) | Salt (lbs/acre) | Amount |
|---|---|---|---|---|---|---|
| Lagoon Water Application | Process wastewater | 19.72 | 7.11 | 91.08 | 167.62 | 192,000.00 *gal* |
| T.I.D Canal | Surface water | 0.00 | 0.00 | 0.00 | 9.43 | 864,000.00 *gal* |
| Application event totals | | 19.72 | 7.11 | 91.08 | 177.05 | |

| Application date | Application method | Precipitation 24 hours prior | Precipitation during application | Precipitation 24 hours following |
|---|---|---|---|---|
| 08/23/2023 | Surface (irrigation) | No precipitation | No precipitation | No precipitation |

| Source description | Material type | N (lbs/acre) | P (lbs/acre) | K (lbs/acre) | Salt (lbs/acre) | Amount |
|---|---|---|---|---|---|---|
| Lagoon Water Application | Process wastewater | 15.41 | 5.56 | 71.16 | 130.95 | 150,000.00 *gal* |
| T.I.D Canal | Surface water | 0.00 | 0.00 | 0.00 | 7.37 | 675,000.00 *gal* |
| Application event totals | | 15.41 | 5.56 | 71.16 | 138.32 | |

| Application date | Application method | Precipitation 24 hours prior | Precipitation during application | Precipitation 24 hours following |
|---|---|---|---|---|
| 08/30/2023 | Surface (irrigation) | No precipitation | No precipitation | No precipitation |

| Source description | Material type | N (lbs/acre) | P (lbs/acre) | K (lbs/acre) | Salt (lbs/acre) | Amount |
|---|---|---|---|---|---|---|
| Lagoon Water Application | Process wastewater | 15.41 | 5.56 | 71.16 | 130.95 | 150,000.00 *gal* |
| T.I.D Canal | Surface water | 0.00 | 0.00 | 0.00 | 7.37 | 675,000.00 *gal* |
| Application event totals | | 15.41 | 5.56 | 71.16 | 138.32 | |

| Application date | Application method | Precipitation 24 hours prior | Precipitation during application | Precipitation 24 hours following |
|---|---|---|---|---|
| 09/06/2023 | Surface (irrigation) | No precipitation | No precipitation | No precipitation |

| Source description | Material type | N (lbs/acre) | P (lbs/acre) | K (lbs/acre) | Salt (lbs/acre) | Amount |
|---|---|---|---|---|---|---|
| Lagoon Water Application | Process wastewater | 95.12 | 16.40 | 95.36 | 436.76 | 378,000.00 *gal* |
| T.I.D Canal | Surface water | 0.00 | 0.00 | 0.00 | 6.78 | 621,000.00 *gal* |
| Application event totals | | 95.12 | 16.40 | 95.36 | 443.54 | |

## B. NUTRIENT BUDGET

Lorinda #1 - 01/22/2022: Wheat, silage, soft dough

Field name: Lorinda #1 Crop: Wheat, silage, soft dough Plant date: 01/22/2022

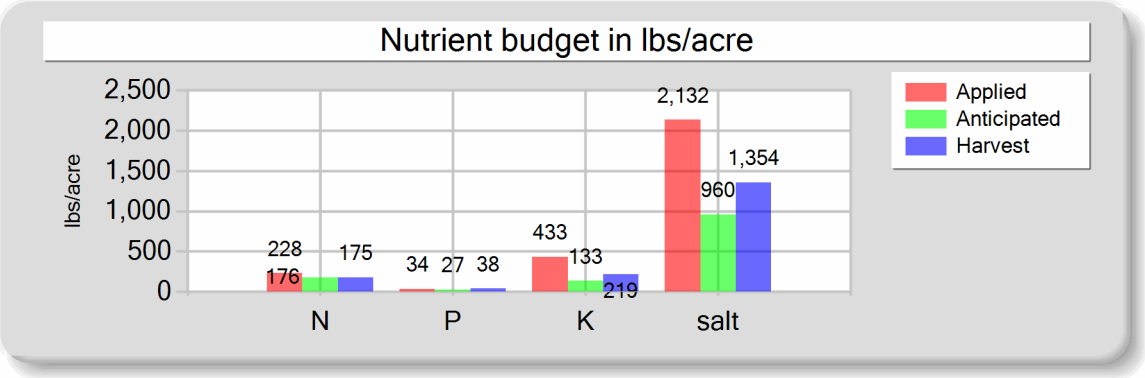


| | Total N (lbs/acre) | Total P (lbs/acre) | Total K (lbs/acre) | Total salt (lbs/acre) |
|---|---|---|---|---|
| Existing soil nutrient content | 0.00 | 0.00 | 0.00 | 0.00 |
| Plowdown credit | 0.00 | 0.00 | 0.00 | 0.00 |
| Commercial fertilizer / Other | 0.00 | 0.00 | 0.00 | 0.00 |
| Dry manure | 0.00 | 0.00 | 0.00 | 0.00 |
| Process wastewater | 211.84 | 34.34 | 433.42 | 1,831.96 |
| Fresh water | 9.61 | 0.00 | 0.00 | 300.51 |
| Atmospheric deposition | 7.00 | 0.00 | 0.00 | 0.00 |
| Total nutrients applied | 228.46 | 34.34 | 433.42 | 2,132.47 |
| Anticipated crop nutrient removal | 176.00 | 27.20 | 132.80 | 960.00 |
| Actual crop nutrient removal | 175.10 | 37.75 | 218.96 | 1,354.14 |
| Nutrient balance | 53.36 | -3.41 | 214.45 | 778.33 |
| Applied to removed ratio | 1.30 | 0.91 | 1.98 | 1.57 |

| Fresh water applied | |
|---|---|
| 10,560,000.00 | *gallons* |
| 388.89 | *acre-inches* |
| 9.04 | *inches/acre* |

| Process wastewater applied | |
|---|---|
| 3,036,000.00 | *gallons* |
| 111.81 | *acre-inches* |
| 2.60 | *inches/acre* |

| Total harvests for the crop | |
|---|---|
| 4 | *harvests* |

## Lorinda #1 - 05/31/2023: Corn, silage

Field name: Lorinda #1 Crop: Corn, silage Plant date: 05/31/2023

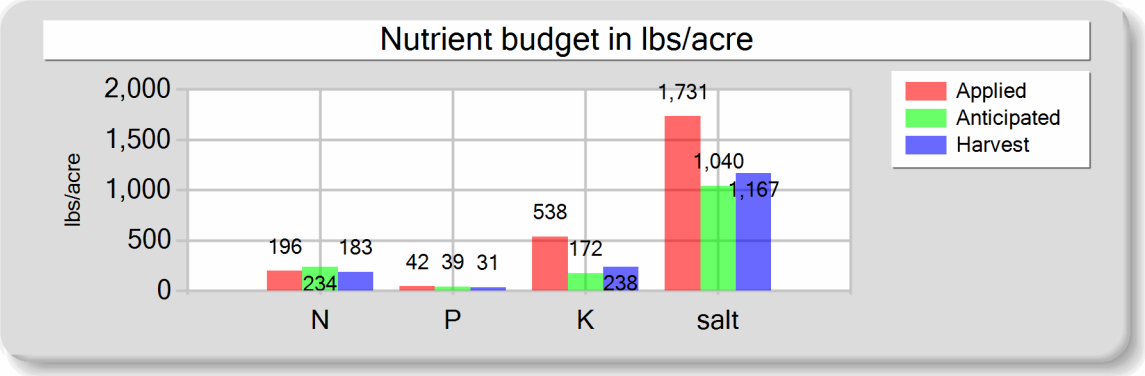


| | Total N (lbs/acre) | Total P (lbs/acre) | Total K (lbs/acre) | Total salt (lbs/acre) |
|---|---|---|---|---|
| Existing soil nutrient content | 0.00 | 0.00 | 0.00 | 0.00 |
| Plowdown credit | 0.00 | 0.00 | 0.00 | 0.00 |
| Commercial fertilizer / Other | 0.00 | 0.00 | 0.00 | 0.00 |
| Dry manure | 0.00 | 0.00 | 0.00 | 0.00 |
| Process wastewater | 188.83 | 42.22 | 538.16 | 1,627.53 |
| Fresh water | 0.00 | 0.00 | 0.00 | 103.63 |
| Atmospheric deposition | 7.00 | 0.00 | 0.00 | 0.00 |
| Total nutrients applied | 195.83 | 42.22 | 538.16 | 1,731.16 |
| Anticipated crop nutrient removal | 234.00 | 39.00 | 171.60 | 1,040.00 |
| Actual crop nutrient removal | 183.38 | 30.94 | 237.54 | 1,167.31 |
| Nutrient balance | 12.44 | 11.28 | 300.62 | 563.85 |
| Applied to removed ratio | 1.07 | 1.36 | 2.27 | 1.48 |

| Fresh water applied | |
|---|---|
| 31,410,000.00 | *gallons* |
| 1,156.72 | *acre-inches* |
| 26.90 | *inches/acre* |

| Process wastewater applied | |
|---|---|
| 3,642,000.00 | *gallons* |
| 134.12 | *acre-inches* |
| 3.12 | *inches/acre* |

| Total harvests for the crop | |
|---|---|
| 4 | *harvests* |

## Lorinda #2 - 11/23/2022: Wheat, silage, soft dough

Field name: Lorinda #2 Crop: Wheat, silage, soft dough Plant date: 11/23/2022

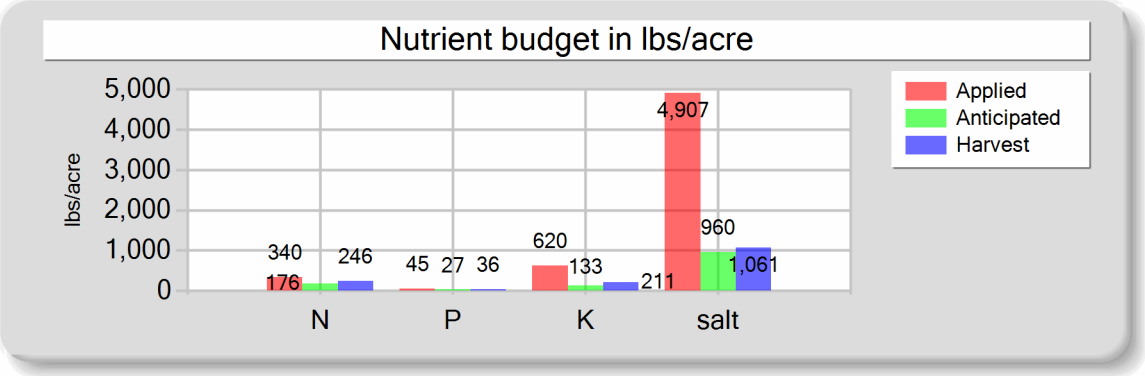


| | Total N (lbs/acre) | Total P (lbs/acre) | Total K (lbs/acre) | Total salt (lbs/acre) |
|---|---|---|---|---|
| Existing soil nutrient content | 0.00 | 0.00 | 0.00 | 0.00 |
| Plowdown credit | 0.00 | 0.00 | 0.00 | 0.00 |
| Commercial fertilizer / Other | 0.00 | 0.00 | 0.00 | 0.00 |
| Dry manure | 0.00 | 0.00 | 0.00 | 0.00 |
| Process wastewater | 271.12 | 45.34 | 620.46 | 3,065.84 |
| Fresh water | 64.59 | 0.00 | 0.00 | 1,840.93 |
| Atmospheric deposition | 4.67 | 0.00 | 0.00 | 0.00 |
| Total nutrients applied | 340.38 | 45.34 | 620.46 | 4,906.77 |
| Anticipated crop nutrient removal | 176.00 | 27.20 | 132.80 | 960.00 |
| Actual crop nutrient removal | 245.84 | 35.94 | 210.90 | 1,060.73 |
| Nutrient balance | 94.54 | 9.40 | 409.56 | 3,846.04 |
| Applied to removed ratio | 1.38 | 1.26 | 2.94 | 4.63 |

| Fresh water applied | |
|---|---|
| 5,520,000.00 | *gallons* |
| 203.28 | *acre-inches* |
| 14.52 | *inches/acre* |

| Process wastewater applied | |
|---|---|
| 1,471,500.00 | *gallons* |
| 54.19 | *acre-inches* |
| 3.87 | *inches/acre* |

| Total harvests for the crop | |
|---|---|
| 1 | *harvests* |

## Lorinda #2 - 06/01/2023: Corn, silage

Field name: Lorinda #2 Crop: Corn, silage Plant date: 06/01/2023

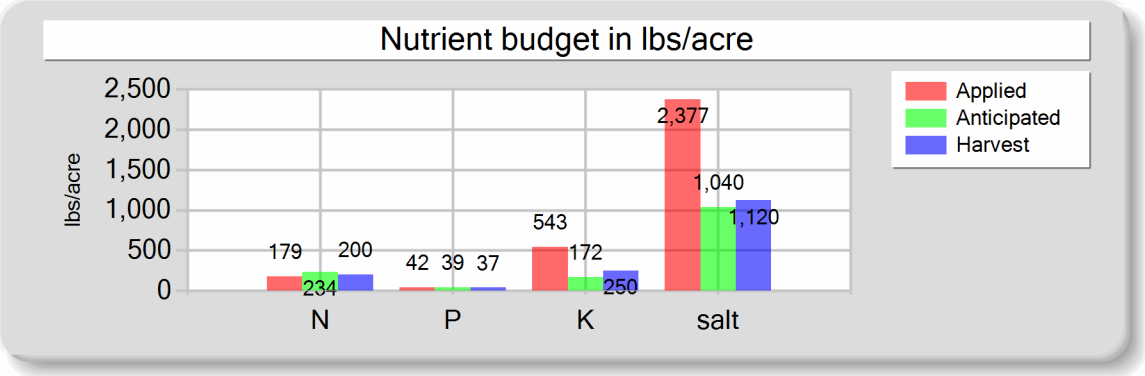


| | Total N (lbs/acre) | Total P (lbs/acre) | Total K (lbs/acre) | Total salt (lbs/acre) |
|---|---|---|---|---|
| Existing soil nutrient content | 0.00 | 0.00 | 0.00 | 0.00 |
| Plowdown credit | 0.00 | 0.00 | 0.00 | 0.00 |
| Commercial fertilizer / Other | 0.00 | 0.00 | 0.00 | 0.00 |
| Dry manure | 0.00 | 0.00 | 0.00 | 0.00 |
| Process wastewater | 170.04 | 41.92 | 542.53 | 2,244.85 |
| Fresh water | 0.00 | 0.00 | 0.00 | 132.15 |
| Atmospheric deposition | 9.33 | 0.00 | 0.00 | 0.00 |
| Total nutrients applied | 179.37 | 41.92 | 542.53 | 2,377.00 |
| Anticipated crop nutrient removal | 234.00 | 39.00 | 171.60 | 1,040.00 |
| Actual crop nutrient removal | 200.19 | 36.58 | 249.94 | 1,120.13 |
| Nutrient balance | -20.82 | 5.34 | 292.59 | 1,256.87 |
| Applied to removed ratio | 0.90 | 1.15 | 2.17 | 2.12 |

| Fresh water applied | |
|---|---|
| 13,041,000.00 | *gallons* |
| 480.26 | *acre-inches* |
| 34.30 | *inches/acre* |

| Process wastewater applied | |
|---|---|
| 1,488,000.00 | *gallons* |
| 54.80 | *acre-inches* |
| 3.91 | *inches/acre* |

| Total harvests for the crop | |
|---|---|
| 2 | *harvests* |

## Lorinda #3 - 01/23/2022: Wheat, silage, soft dough

Field name: Lorinda #3 Crop: Wheat, silage, soft dough Plant date: 01/23/2022

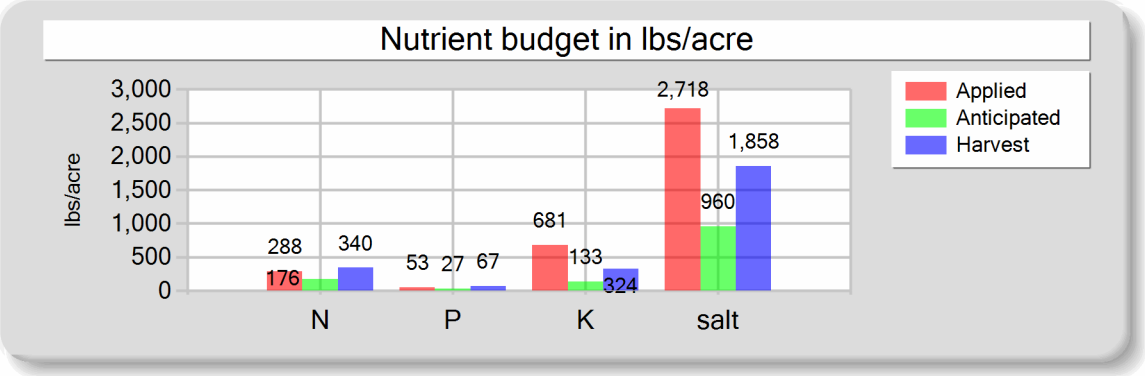


| | Total N (lbs/acre) | Total P (lbs/acre) | Total K (lbs/acre) | Total salt (lbs/acre) |
|---|---|---|---|---|
| Existing soil nutrient content | 0.00 | 0.00 | 0.00 | 0.00 |
| Plowdown credit | 0.00 | 0.00 | 0.00 | 0.00 |
| Commercial fertilizer / Other | 0.00 | 0.00 | 0.00 | 0.00 |
| Dry manure | 0.00 | 0.00 | 0.00 | 0.00 |
| Process wastewater | 271.39 | 52.87 | 681.08 | 2,366.39 |
| Fresh water | 11.92 | 0.00 | 0.00 | 351.14 |
| Atmospheric deposition | 4.67 | 0.00 | 0.00 | 0.00 |
| Total nutrients applied | 287.99 | 52.87 | 681.08 | 2,717.53 |
| Anticipated crop nutrient removal | 176.00 | 27.20 | 132.80 | 960.00 |
| Actual crop nutrient removal | 340.17 | 67.18 | 324.45 | 1,858.08 |
| Nutrient balance | -52.19 | -14.30 | 356.63 | 859.45 |
| Applied to removed ratio | 0.85 | 0.79 | 2.10 | 1.46 |

| Fresh water applied | |
|---|---|
| 1,980,000.00 | *gallons* |
| 72.92 | *acre-inches* |
| 5.61 | *inches/acre* |

| Process wastewater applied | |
|---|---|
| 1,152,000.00 | *gallons* |
| 42.42 | *acre-inches* |
| 3.26 | *inches/acre* |

| Total harvests for the crop | |
|---|---|
| 1 | *harvests* |

## Lorinda #3 - 06/01/2023: Corn, silage

Field name: Lorinda #3 Crop: Corn, silage Plant date: 06/01/2023

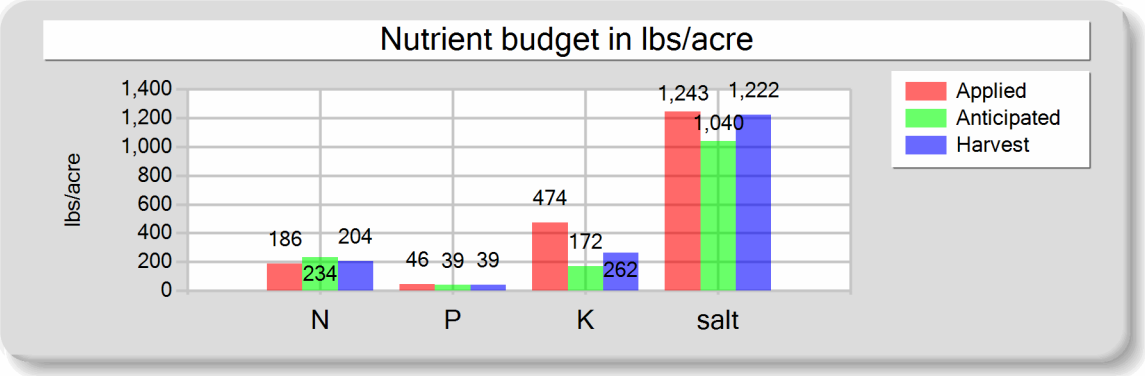


| | Total N (lbs/acre) | Total P (lbs/acre) | Total K (lbs/acre) | Total salt (lbs/acre) |
|---|---|---|---|---|
| Existing soil nutrient content | 0.00 | 0.00 | 0.00 | 0.00 |
| Plowdown credit | 0.00 | 0.00 | 0.00 | 0.00 |
| Commercial fertilizer / Other | 0.00 | 0.00 | 0.00 | 0.00 |
| Dry manure | 0.00 | 0.00 | 0.00 | 0.00 |
| Process wastewater | 177.08 | 45.96 | 473.92 | 1,133.43 |
| Fresh water | 0.00 | 0.00 | 0.00 | 109.61 |
| Atmospheric deposition | 9.33 | 0.00 | 0.00 | 0.00 |
| Total nutrients applied | 186.41 | 45.96 | 473.92 | 1,243.04 |
| Anticipated crop nutrient removal | 234.00 | 39.00 | 171.60 | 1,040.00 |
| Actual crop nutrient removal | 204.24 | 39.15 | 261.59 | 1,222.35 |
| Nutrient balance | -17.83 | 6.81 | 212.32 | 20.69 |
| Applied to removed ratio | 0.91 | 1.17 | 1.81 | 1.02 |

| Fresh water applied | |
|---|---|
| 10,044,000.00 | *gallons* |
| 369.89 | *acre-inches* |
| 28.45 | *inches/acre* |

| Process wastewater applied | |
|---|---|
| 1,176,000.00 | *gallons* |
| 43.31 | *acre-inches* |
| 3.33 | *inches/acre* |

| Total harvests for the crop | |
|---|---|
| 2 | *harvests* |

NUTRIENT ANALYSES

## A. MANURE ANALYSES

### Compost

Sample and source description: Compost

Sample date: 05/24/2023 Material type: Corral solids Source of analysis: Lab analysis Method of reporting: Dry-weight

Moisture: 36.4 %

| | Total N (mg/kg) | Total P (mg/kg) | Total K (mg/kg) | Calcium (mg/kg) | Magnesium (mg/kg) | Sodium (mg/kg) | Sulfur (mg/kg) | Chloride (mg/kg) | Total salt (mg/kg) | TFS (%) |
|---|---|---|---|---|---|---|---|---|---|---|
| **Value** | 13,800.00 | 3,590.00 | 5,560.00 | 10,400.00 | 3,190.00 | 700.00 | 3,330.00 | 631.00 | | 66.50 |
| **DL** | 1,000.00 | 1,000.00 | 1,000.00 | 100.00 | 200.00 | 100.00 | 100.00 | 0.10 | | 0.10 |

### Corral solids

Sample and source description: Corral solids

Sample date: 06/08/2023 Material type: Corral solids Source of analysis: Lab analysis Method of reporting: Dry-weight

Moisture: 30.7 %

| | Total N (mg/kg) | Total P (mg/kg) | Total K (mg/kg) | Calcium (mg/kg) | Magnesium (mg/kg) | Sodium (mg/kg) | Sulfur (mg/kg) | Chloride (mg/kg) | Total salt (mg/kg) | TFS (%) |
|---|---|---|---|---|---|---|---|---|---|---|
| **Value** | 15,000.00 | 2,780.00 | 16,000.00 | | | | | | | 0.00 |
| **DL** | 1,000.00 | 1,000.00 | 1,000.00 | | | | | | | 0.10 |

### Corral solids

Sample and source description: Corral solids

Sample date: 11/15/2023 Material type: Corral solids Source of analysis: Lab analysis Method of reporting: Dry-weight

Moisture: 25.5 %

| | Total N (mg/kg) | Total P (mg/kg) | Total K (mg/kg) | Calcium (mg/kg) | Magnesium (mg/kg) | Sodium (mg/kg) | Sulfur (mg/kg) | Chloride (mg/kg) | Total salt (mg/kg) | TFS (%) |
|---|---|---|---|---|---|---|---|---|---|---|
| **Value** | 14,300.00 | 7,030.00 | 30,600.00 | | | | | | | 0.00 |
| **DL** | 1,000.00 | 1,000.00 | 1,000.00 | | | | | | | 0.10 |

## B. PROCESS WASTEWATER ANALYSES

## LG-2-4

Sample and source description: LG-2-4

Sample date: 11/07/2022 Material type: Process wastewater Source of analysis: Lab analysis pH:

| | Kjeldahl-N (mg/L) | NH4-N (mg/L) | NH3-N (mg/L) | Nitrate-N (mg/L) | Total P (mg/L) | Total K (mg/L) | Calcium (mg/L) | Magnes. (mg/L) | Sodium (mg/L) | Bicarb. (mg/L) | Carb. (mg/L) | Sulfate (mg/L) | Chloride (mg/L) | EC (µmhos/cm) | TDS (mg/L) |
|---|---|---|---|---|---|---|---|---|---|---|---|---|---|---|---|
| **Value** | 367.00 | 227.00 | 0.00 | 0.00 | 71.50 | 921.00 | | | | | | | | 5,000.00 | 3,200 |
| **DL** | 0.50 | 0.50 | 0.50 | 0.50 | 0.50 | 2.00 | | | | | | | | 1.00 | 10 |

## LG-1-1

Sample and source description: LG-1-1

Sample date: 03/16/2023 Material type: Process wastewater Source of analysis: Lab analysis pH:

| | Kjeldahl-N (mg/L) | NH4-N (mg/L) | NH3-N (mg/L) | Nitrate-N (mg/L) | Total P (mg/L) | Total K (mg/L) | Calcium (mg/L) | Magnes. (mg/L) | Sodium (mg/L) | Bicarb. (mg/L) | Carb. (mg/L) | Sulfate (mg/L) | Chloride (mg/L) | EC (µmhos/cm) | TDS (mg/L) |
|---|---|---|---|---|---|---|---|---|---|---|---|---|---|---|---|
| **Value** | 344.00 | 218.00 | 0.00 | 0.00 | 30.70 | 349.00 | | | | | | | | 4,560.00 | 2,920 |
| **DL** | 0.50 | 0.50 | 0.50 | 0.50 | 0.50 | 2.00 | | | | | | | | 1.00 | 10 |

## LG-1-2

Sample and source description: LG-1-2

Sample date: 06/08/2023 Material type: Process wastewater Source of analysis: Lab analysis pH:

| | Kjeldahl-N (mg/L) | NH4-N (mg/L) | NH3-N (mg/L) | Nitrate-N (mg/L) | Total P (mg/L) | Total K (mg/L) | Calcium (mg/L) | Magnes. (mg/L) | Sodium (mg/L) | Bicarb. (mg/L) | Carb. (mg/L) | Sulfate (mg/L) | Chloride (mg/L) | EC (µmhos/cm) | TDS (mg/L) |
|---|---|---|---|---|---|---|---|---|---|---|---|---|---|---|---|
| **Value** | 165.00 | 81.20 | 0.00 | 0.00 | 24.70 | 506.00 | | | | | | | | 3,640.00 | 4,500 |
| **DL** | 0.50 | 0.50 | 0.50 | 0.50 | 0.50 | 2.00 | | | | | | | | 1.00 | 10 |

## LG-1-3

Sample and source description: LG-1-3

Sample date: 08/17/2023 Material type: Process wastewater Source of analysis: Lab analysis pH:

| | Kjeldahl-N (mg/L) | NH4-N (mg/L) | NH3-N (mg/L) | Nitrate-N (mg/L) | Total P (mg/L) | Total K (mg/L) | Calcium (mg/L) | Magnes. (mg/L) | Sodium (mg/L) | Bicarb. (mg/L) | Carb. (mg/L) | Sulfate (mg/L) | Chloride (mg/L) | EC (µmhos/cm) | TDS (mg/L) |
|---|---|---|---|---|---|---|---|---|---|---|---|---|---|---|---|
| **Value** | 160.00 | 112.00 | 0.00 | 0.00 | 57.70 | 739.00 | | | | | | | | 2,740.00 | 1,360 |
| **DL** | 0.50 | 0.50 | 0.50 | 0.50 | 0.50 | 2.00 | | | | | | | | 1.00 | 10 |

LG-1-4

Sample and source description: LG-1-4

Sample date: 11/15/2023 Material type: Process wastewater Source of analysis: Lab analysis pH:

| | Kjeldahl-N (mg/L) | NH4-N (mg/L) | NH3-N (mg/L) | Nitrate-N (mg/L) | Total P (mg/L) | Total K (mg/L) | Calcium (mg/L) | Magnes. (mg/L) | Sodium (mg/L) | Bicarb. (mg/L) | Carb. (mg/L) | Sulfate (mg/L) | Chloride (mg/L) | EC (µmhos/cm) | TDS (mg/L) |
|---|---|---|---|---|---|---|---|---|---|---|---|---|---|---|---|
| **Value** | 392.00 | 165.00 | 0.00 | 0.00 | 67.60 | 393.00 | | | | | | | | 3,190.00 | 1,800 |
| **DL** | 0.50 | 0.50 | 0.50 | 0.50 | 0.50 | 2.00 | | | | | | | | 1.00 | 10 |

## C. FRESH WATER ANALYSES

Dom-1

Domestic Well #1

Sample description: Domestic Well #1

Sample date: 08/17/2023 Source of analysis: Lab analysis

| | Total N (mg/L) | NH4-N (mg/L) | Nitrate-N (mg/L) | Calcium (mg/L) | Magnesium (mg/L) | Sodium (mg/L) | Bicarbonate (mg/L) | Carbonate (mg/L) | Sulfate (mg/L) | Chloride (mg/L) | EC (µmhos/cm) | TDS (mg/L) |
|---|---|---|---|---|---|---|---|---|---|---|---|---|
| **Value** | 8.09 | 0.00 | 8.09 | | | | | | | | 335.00 | 214 |
| **DL** | 0.50 | 0.50 | 0.50 | | | | | | | | 1.00 | 10 |

Dom-2

Domestic Well #2

Sample description: Domestic Well #2

Sample date: 08/17/2023 Source of analysis: Lab analysis

| | Total N (mg/L) | NH4-N (mg/L) | Nitrate-N (mg/L) | Calcium (mg/L) | Magnesium (mg/L) | Sodium (mg/L) | Bicarbonate (mg/L) | Carbonate (mg/L) | Sulfate (mg/L) | Chloride (mg/L) | EC (µmhos/cm) | TDS (mg/L) |
|---|---|---|---|---|---|---|---|---|---|---|---|---|
| **Value** | 6.81 | 0.00 | 6.81 | | | | | | | | 290.00 | 186 |
| **DL** | 0.50 | 0.50 | 0.50 | | | | | | | | 1.00 | 10 |

Irrigation Well

Irrigation Well

Irrigation Well

Sample description: Irrigation Well

Sample date: 08/17/2023 Source of analysis: Lab analysis

| | Total N (mg/L) | NH4-N (mg/L) | Nitrate-N (mg/L) | Calcium (mg/L) | Magnesium (mg/L) | Sodium (mg/L) | Bicarbonate (mg/L) | Carbonate (mg/L) | Sulfate (mg/L) | Chloride (mg/L) | EC (µmhos/cm) | TDS (mg/L) |
|---|---|---|---|---|---|---|---|---|---|---|---|---|
| **Value** | 25.80 | 0.00 | 25.80 | | | | | | | | 11,400.00 | 730 |
| **DL** | 0.50 | 0.50 | 0.50 | | | | | | | | 1.00 | 10 |

T.I.D Canal

TID Canal Water

Sample description: TID Canal Water

Sample date: 08/17/2023 Source of analysis: Lab analysis

| | Total N (mg/L) | NH4-N (mg/L) | Nitrate-N (mg/L) | Calcium (mg/L) | Magnesium (mg/L) | Sodium (mg/L) | Bicarbonate (mg/L) | Carbonate (mg/L) | Sulfate (mg/L) | Chloride (mg/L) | EC (µmhos/cm) | TDS (mg/L) |
|---|---|---|---|---|---|---|---|---|---|---|---|---|
| **Value** | 0.00 | 0.00 | 0.00 | | | | | | | | 100.00 | 17 |
| **DL** | 0.50 | 0.50 | 0.50 | | | | | | | | 1.00 | 10 |

## D. SOIL ANALYSES

*No soil analyses entered.*

## E. PLANT TISSUE ANALYSES

Lorinda #1 - 01/22/2022: Wheat, silage, soft dough

## Lorinda #1 - 01/22/2022: Wheat, silage, soft dough

### Winter Forage

Sample and source description: Winter Forage
Sample date: 05/06/2023 Source of analysis: Lab analysis Method of reporting: Dry-weight
Moisture: 60.0 %

| | Total N (mg/kg) | Total P (mg/kg) | Total K (mg/kg) | Total salt (mg/kg) | TFS (%) |
|---|---|---|---|---|---|
| **Value** | 16,200.00 | 3,070.00 | 18,200.00 | | 8.60 |
| **DL** | 1,000.00 | 1,000.00 | 1,000.00 | | 0.10 |

### Winter Forage

Sample and source description: Winter Forage
Sample date: 05/06/2023 Source of analysis: Lab analysis Method of reporting: Dry-weight
Moisture: 60.8 %

| | Total N (mg/kg) | Total P (mg/kg) | Total K (mg/kg) | Total salt (mg/kg) | TFS (%) |
|---|---|---|---|---|---|
| **Value** | 14,000.00 | 3,050.00 | 16,900.00 | | 18.60 |
| **DL** | 1,000.00 | 1,000.00 | 1,000.00 | | 0.10 |

### Winter Forage

Sample and source description: Winter Forage
Sample date: 05/06/2023 Source of analysis: Lab analysis Method of reporting: Dry-weight
Moisture: 53.6 %

| | Total N (mg/kg) | Total P (mg/kg) | Total K (mg/kg) | Total salt (mg/kg) | TFS (%) |
|---|---|---|---|---|---|
| **Value** | 13,100.00 | 3,150.00 | 17,600.00 | | 8.80 |
| **DL** | 1,000.00 | 1,000.00 | 1,000.00 | | 0.10 |

## Lorinda #1 - 01/22/2022: Wheat, silage, soft dough

### Winter Forage

Sample and source description: Winter Forage

Sample date: 05/06/2023 Source of analysis: Lab analysis Method of reporting: Dry-weight

Moisture: 68.0 %

| | Total N (mg/kg) | Total P (mg/kg) | Total K (mg/kg) | Total salt (mg/kg) | TFS (%) |
|---|---|---|---|---|---|
| **Value** | 16,100.00 | 3,490.00 | 21,700.00 | | 9.80 |
| **DL** | 1,000.00 | 1,000.00 | 1,000.00 | | 0.10 |

## Lorinda #1 - 05/31/2023: Corn, silage

### #1

Sample and source description: #1

Sample date: 09/18/2023 Source of analysis: Lab analysis Method of reporting: Dry-weight

Moisture: 69.2 %

| | Total N (mg/kg) | Total P (mg/kg) | Total K (mg/kg) | Total salt (mg/kg) | TFS (%) |
|---|---|---|---|---|---|
| **Value** | 10,300.00 | 1,440.00 | 13,400.00 | | 6.19 |
| **DL** | 1,000.00 | 1,000.00 | 1,000.00 | | 0.10 |

### #1 CS Middle

Sample and source description: #1 CS Middle

Sample date: 09/18/2023 Source of analysis: Lab analysis Method of reporting: Dry-weight

Moisture: 65.3 %

| | Total N (mg/kg) | Total P (mg/kg) | Total K (mg/kg) | Total salt (mg/kg) | TFS (%) |
|---|---|---|---|---|---|
| **Value** | 9,900.00 | 1,660.00 | 12,200.00 | | 6.39 |
| **DL** | 1,000.00 | 1,000.00 | 1,000.00 | | 0.10 |

## Lorinda #1 - 05/31/2023: Corn, silage

### #1 CS North

Sample and source description: #1 CS North

Sample date: 09/18/2023 Source of analysis: Lab analysis Method of reporting: Dry-weight

Moisture: 67.7 %

| | Total N (mg/kg) | Total P (mg/kg) | Total K (mg/kg) | Total salt (mg/kg) | TFS (%) |
|---|---|---|---|---|---|
| **Value** | 8,800.00 | 1,620.00 | 11,600.00 | | 5.63 |
| **DL** | 1,000.00 | 1,000.00 | 1,000.00 | | 0.10 |

### #1 CS South

Sample and source description: #1 CS South

Sample date: 09/18/2023 Source of analysis: Lab analysis Method of reporting: Dry-weight

Moisture: 69.6 %

| | Total N (mg/kg) | Total P (mg/kg) | Total K (mg/kg) | Total salt (mg/kg) | TFS (%) |
|---|---|---|---|---|---|
| **Value** | 9,000.00 | 1,690.00 | 12,100.00 | | 5.97 |
| **DL** | 1,000.00 | 1,000.00 | 1,000.00 | | 0.10 |

## Lorinda #2 - 11/23/2022: Wheat, silage, soft dough

### Winter Forage

Sample and source description: Winter Forage

Sample date: 05/06/2023 Source of analysis: Lab analysis Method of reporting: Dry-weight

Moisture: 58.6 %

| | Total N (mg/kg) | Total P (mg/kg) | Total K (mg/kg) | Total salt (mg/kg) | TFS (%) |
|---|---|---|---|---|---|
| **Value** | 19,700.00 | 2,880.00 | 16,900.00 | | 8.50 |
| **DL** | 1,000.00 | 1,000.00 | 1,000.00 | | 0.10 |

## Lorinda #2 - 06/01/2023: Corn, silage

## Lorinda #2 - 06/01/2023: Corn, silage

### #2 CS

Sample and source description: #2 CS

Sample date: 08/19/2023 Source of analysis: Lab analysis Method of reporting: Dry-weight

Moisture: 69.8 %

| | Total N (mg/kg) | Total P (mg/kg) | Total K (mg/kg) | Total salt (mg/kg) | TFS (%) |
|---|---|---|---|---|---|
| **Value** | 9,700.00 | 1,740.00 | 12,800.00 | | 5.48 |
| **DL** | 1,000.00 | 1,000.00 | 1,000.00 | | 0.10 |

### #2 CS

Sample and source description: #2 CS

Sample date: 09/18/2023 Source of analysis: Lab analysis Method of reporting: Dry-weight

Moisture: 64.4 %

| | Total N (mg/kg) | Total P (mg/kg) | Total K (mg/kg) | Total salt (mg/kg) | TFS (%) |
|---|---|---|---|---|---|
| **Value** | 12,000.00 | 2,220.00 | 14,400.00 | | 6.67 |
| **DL** | 1,000.00 | 1,000.00 | 1,000.00 | | 0.10 |

## Lorinda #3 - 01/23/2022: Wheat, silage, soft dough

### Winter Forage

Sample and source description: Winter Forage

Sample date: 05/06/2023 Source of analysis: Lab analysis Method of reporting: Dry-weight

Moisture: 52.6 %

| | Total N (mg/kg) | Total P (mg/kg) | Total K (mg/kg) | Total salt (mg/kg) | TFS (%) |
|---|---|---|---|---|---|
| **Value** | 23,800.00 | 4,700.00 | 22,700.00 | | 13.00 |
| **DL** | 1,000.00 | 1,000.00 | 1,000.00 | | 0.10 |

## Lorinda #3 - 06/01/2023: Corn, silage

Lorinda #3 - 06/01/2023: Corn, silage

#3 CS

Sample and source description: #3 CS

Sample date: 09/18/2023 Source of analysis: Lab analysis Method of reporting: Dry-weight

Moisture: 69.8 %

| | Total N (mg/kg) | Total P (mg/kg) | Total K (mg/kg) | Total salt (mg/kg) | TFS (%) |
|---|---|---|---|---|---|
| **Value** | 9,700.00 | 1,740.00 | 12,800.00 | | 5.48 |
| **DL** | 1,000.00 | 1,000.00 | 1,000.00 | | 0.10 |

#3 CS

Sample and source description: #3 CS

Sample date: 09/18/2023 Source of analysis: Lab analysis Method of reporting: Dry-weight

Moisture: 67.9 %

| | Total N (mg/kg) | Total P (mg/kg) | Total K (mg/kg) | Total salt (mg/kg) | TFS (%) |
|---|---|---|---|---|---|
| **Value** | 9,800.00 | 1,990.00 | 12,200.00 | | 6.17 |
| **DL** | 1,000.00 | 1,000.00 | 1,000.00 | | 0.10 |

## F. SUBSURFACE (TILE) DRAINAGE ANALYSES

*No subsurface (tile) drainage analyses entered.*

NUTRIENT APPLICATIONS, POTENTIAL REMOVAL, AND BALANCE

## A. SUMMARY OF NUTRIENT APPLICATIONS, POTENTIAL REMOVAL, AND BALANCE

| | Total N (lbs) | Total P (lbs) | Total K (lbs) | Total salt (lbs) |
|---|---|---|---|---|
| Existing soil nutrient content | 0.00 | 0.00 | 0.00 | 0.00 |
| Plowdown credit | 0.00 | 0.00 | 0.00 | 0.00 |
| Commercial fertilizer / Other | 0.00 | 0.00 | 0.00 | 0.00 |
| Dry manure | 0.00 | 0.00 | 0.00 | 0.00 |
| Process wastewater | 29,235.20 | 5,798.38 | 73,074.59 | 268,605.27 |
| Fresh water | 1,472.66 | 0.00 | 0.00 | 50,990.91 |
| Atmospheric deposition | 980.00 | 0.00 | 0.00 | 0.00 |
| Total nutrients applied | 31,687.86 | 5,798.38 | 73,074.59 | 319,596.18 |
| Anticipated crop nutrient removal | 28,700.00 | 4,634.00 | 21,308.00 | 140,000.00 |
| Actual crop nutrient removal | 28,736.42 | 5,351.15 | 33,700.09 | 178,999.83 |
| Nutrient balance | 2,951.43 | 447.23 | 39,374.50 | 140,596.35 |
| Applied to removed ratio | 1.10 | 1.08 | 2.17 | 1.79 |

## B. POUNDS OF NUTRIENT APPLIED VS. CROP REMOVAL

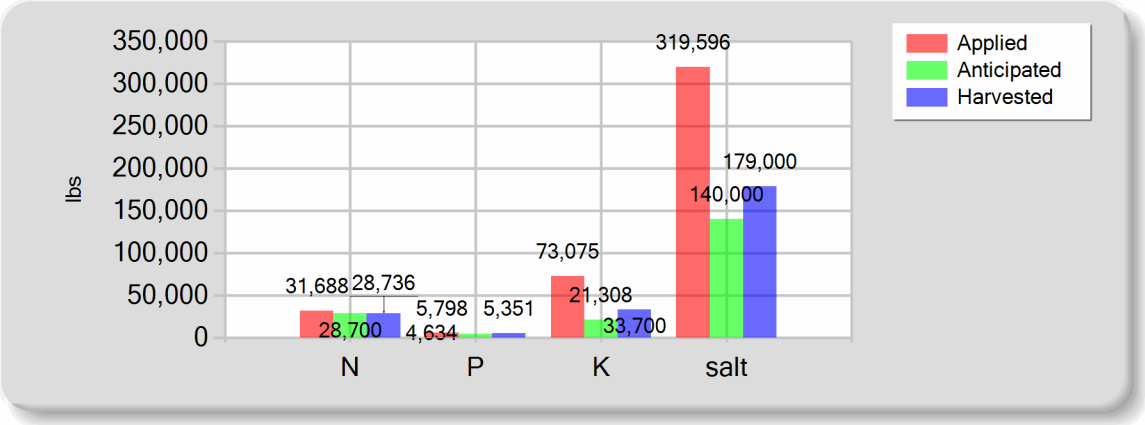

**C. POUNDS OF NUTRIENT APPLIED BY MATERIAL TYPE**

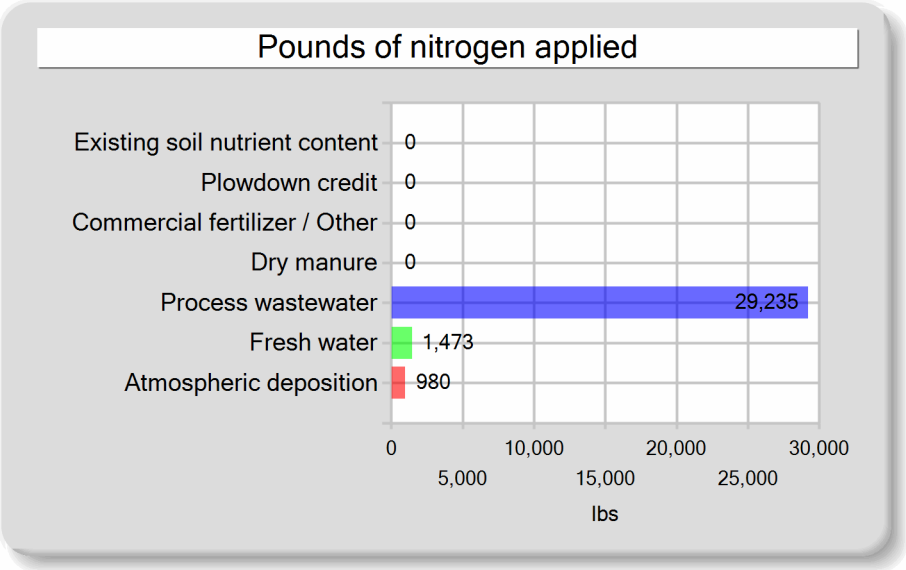


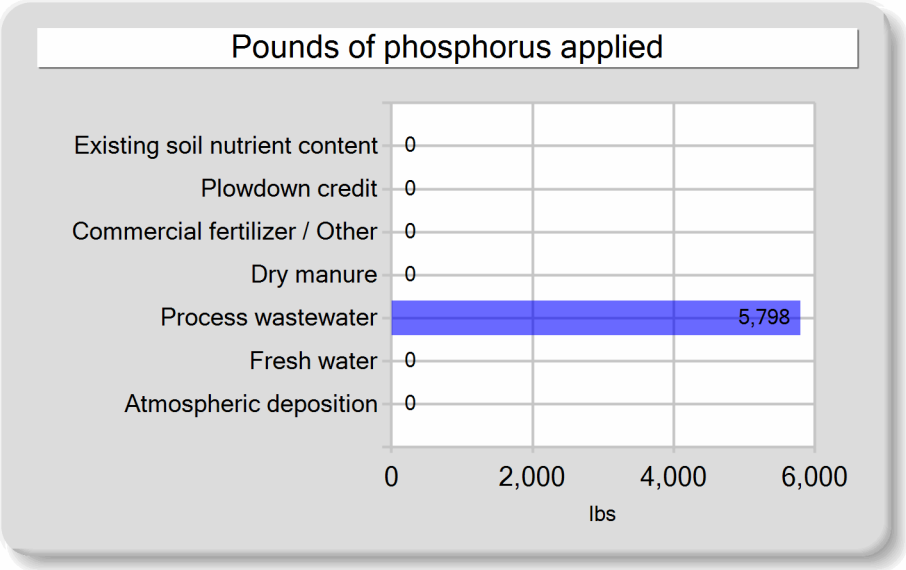


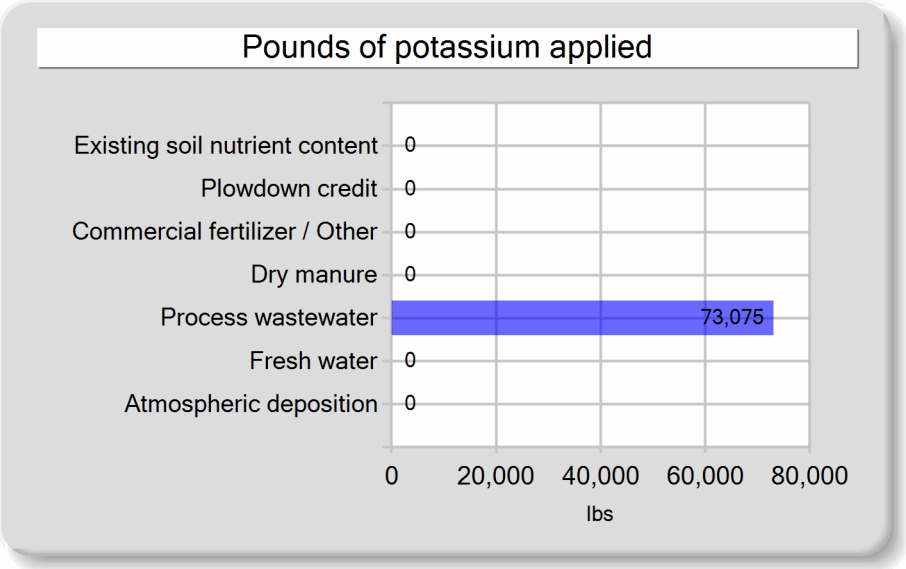


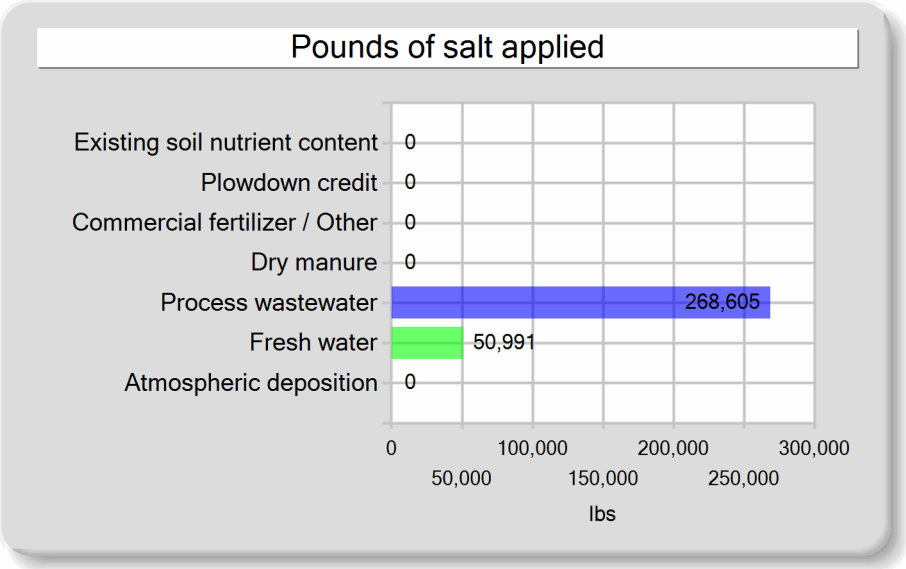

## EXCEPTION REPORTING

### A. MANURE, PROCESS WASTEWATER, AND OTHER DAIRY WASTE DISCHARGES

The following is a summary of all manure and process wastewater discharges from the production area to surface water or to land areas (land application areas or otherwise) when not in accordance with the facility's Nutrient Management Plan.

*No manure or process wastewater discharges occurred during the reporting period.*

### B. STORM WATER DISCHARGES

The following is a summary of all storm water discharges from the production area to surface water during the reporting period when not in accordance with the facility 's Nutrient Management Plan.

*No stormwater discharges occurred during the reporting period.*

### C. LAND APPLICATION AREA TO SURFACE WATER DISCHARGES

The following is a summary of all discharges from the land application area to surface water that have occurred during the reporting period when not in accordance with the facility's Nutrient Management Plan.

*No land application area to surface water discharges occurred during the reporting period.*

## NUTRIENT MANAGEMENT PLAN AND EXPORT AGREEMENT STATEMENTS

### A. NUTRIENT MANAGEMENT PLAN STATEMENTS

| | |
|---|---|
| Was the facility's NMP updated in the reporting period? | Yes |
| Was the facility's NMP developed by a certified nutrient management planner (specialist) as specified in Attachment C of the General Order? | Yes |
| Was the facility's NMP approved by a certified nutrient management planner (specialist) as specified in Attachment C of the General Order? | Yes |

### B. EXPORT AGREEMENT STATEMENT

| | |
|---|---|
| Are there any written agreements with third parties to receive manure or process wastewater that are new or were revised within the reporting period? | No |

ADDITIONAL NOTES

**A. NOTES**

Lorinda Dairy:

Cow numbers are averaged by the time the dairy operator was operating at the dairy. Machado' s moved off the facility on 02/07/2023 and the dairy was vacant until Azevedo's moved onto the facility on 09/01/2023.

The dairy is vacant again starting in March of 2024.

CERTIFICATION

**A. OWNER AND/OR OPERATOR CERTIFICATION**

*I certify under penalty of law that I have personally examined and am familiar with the information submitted in this document and all attachments and that, based on my inquiry of those individuals immediately responsible for obtaining the information, I believe that the information is true, accurate, and complete. I am aware that there are significant penalties for submitting false information, including the possibility of fine and imprisonment.*

Loren Lopes
Loren Lopes (Jun 24, 2024 09:45 PDT)

| SIGNATURE OF OWNER OF FACILITY | SIGNATURE OF OPERATOR OF FACILITY |
|---|---|
| Loren Lopes | SAME AS OWNER |
| PRINT OR TYPE NAME | PRINT OR TYPE NAME |
| Jun 24, 2024 | |
| DATE | DATE |

ATTACHMENTS

## A. REQUIRED ATTACHMENTS

The following lists the required documents that should be attached to the Annual Report when submitted .

| Annual Dairy Facility Assessment |
| --- |
| Provide an Annual Dairy Facility Assessment (an update to the Preliminary Dairy Facility Assessment in Attachment A ) for each reporting period. On the PDFA Final page, click on the ADFA Report button to generate an ADFA report after updating information as needed . |

| Manure/Process Wastewater Tracking Manifests |
| --- |
| Provide copies of all manure/process wastewater tracking manifests for the reporting period, signed by both the owner/operator and the hauler. |

| Corrective Actions Documents |
| --- |
| Provide records documenting any corrective actions taken to correct deficiencies noted as a result of the inspections required in the Monitoring Requirements of the General Order. Deficiencies not corrected in 30 days must be accompanied by an explanation of the factors preventing immediate correction. |

| Groundwater Monitoring |
| --- |
| Dischargers that monitor supply wells or subsurface (tile) drainage systems, or that have monitoring well systems must submit monitoring results as directed in the General Order, Groundwater Reporting Section starting on page MRP-13. |

| Storm Water Monitoring |
| --- |
| Dischargers that are required to monitor storm water more frequently than required in the General Order must submit monitoring results as directed in the General Order, Storm Water Reporting Section on page MRP-14. |

**Denele Analytical, Inc.**

865 South Kilroy Avenue Turlock, CA 95380
Phone (209) 634-9055 - Fax (209) 634-9057

40 N. East Street, Woodland, CA 95776
Phone (530) 666-9056 - Fax (530) 666-9058

www.denelelabs.com

# Compliance Analysis Report

**Customer**
Lorinda Dairy
619 S. Vincent Rd.
Turlock, CA 95380

**Grower**

**Consultant:**
Heartland Consulting
P.O. Box 3679
Merced, CA 95344

PURCHASE ORDER:
RECEIVED DATE: 8/17/23 2:40 PM
SUBMITTED BY: Dan
ANALYZED DATE: 8/18/23

Irrigation/ Ground Water (H1)
SOURCE: Well Water

NOTES: Temperature was above qualifying at 22.0c

| Sample ID | Lab ID | Analyte | Method Ref | Result | Units |
|---|---|---|---|---|---|
| D-1 | T3229023B | Electrical Conductivity (EC) | EPA 120.1 and | 0.335 | mmhos/cm |
| | | Nitrate Nitrogen (NO3-N) | EPA 353.2 | 8.09 | mg/L |
| | | Ammonia Nitrogen (NH3-N) | SM 4500-NH3 D,C | < 0.500 | mg/L |
| | | Soluble Salts (SALT-SOL) | Calculation | 214 | mg/L |

| Laboratory Quality Control | LCS % | MS % | MSD % | RPD % |
|---|---|---|---|---|
| Ammonia Nitrogen (NH3-N) | 98.6 | 94.0 (T3229020B) | 92.8 (T3229020B) | 1.28 |
| Electrical Conductivity (EC) | 100 | | | 0.032 |
| Nitrate Nitrogen (NO3-N) | 110 | 93.9 (T3229020B) | 92.7 (T3229020B) | 1.29 |

The warranty of Denele Analytical is limited to the accuracy of the analyses of the samples as received. Denele Analytical assumes no responsibility for which the customer uses our test results, nor liability for any other warranties, express or implied. These terms and conditions shall supercede any conflicting terms and conditions submitted on customer purchase orders or other forms submitted for work.



ELAP Certificate No.: 2714

**Denele Analytical, Inc.**

865 South Kilroy Avenue Turlock, CA 95380
Phone (209) 634-9055 - Fax (209) 634-9057

40 N. East Street, Woodland, CA 95776
Phone (530) 666-9056 - Fax (530) 666-9058

www.denelelabs.com

# Compliance Analysis Report

**Customer**
Lorinda Dairy
619 S. Vincent Rd.
Turlock, CA 95380

**Grower**

**Consultant:**
Heartland Consulting
P.O. Box 3679
Merced, CA 95344

PURCHASE ORDER:
RECEIVED DATE: 8/17/23 2:40 PM
SUBMITTED BY: Dan
ANALYZED DATE: 8/18/23

Irrigation/ Ground Water (H1)
SOURCE: Well Water

NOTES: Temperature was above qualifying at 22.2c

| Sample ID | Lab ID | Analyte | Method Ref | Result | Units |
|---|---|---|---|---|---|
| D-2 | T3229023C | Electrical Conductivity (EC) | EPA 120.1 and | 0.290 | mmhos/cm |
| | | Nitrate Nitrogen (NO3-N) | EPA 353.2 | 6.81 | mg/L |
| | | Ammonia Nitrogen (NH3-N) | SM 4500-NH3 D,C | < 0.500 | mg/L |
| | | Soluble Salts (SALT-SOL) | Calculation | 186 | mg/L |

| Laboratory Quality Control | LCS % | MS % | MSD % | RPD % |
|---|---|---|---|---|
| Ammonia Nitrogen (NH3-N) | 98.6 | 94.0 (T3229020B) | 92.8 (T3229020B) | 1.28 |
| Electrical Conductivity (EC) | 100 | | | 0.032 |
| Nitrate Nitrogen (NO3-N) | 110 | 93.9 (T3229020B) | 92.7 (T3229020B) | 1.29 |

The warranty of Denele Analytical is limited to the accuracy of the analyses of the samples as received. Denele Analytical assumes no responsibility for which the customer uses our test results, nor liability for any other warranties, express or implied. These terms and conditions shall supercede any conflicting terms and conditions submitted on customer purchase orders or other forms submitted for work.

**Denele Analytical, Inc.**

865 South Kilroy Avenue Turlock, CA 95380
Phone (209) 634-9055 - Fax (209) 634-9057

www.denelelabs.com

40 N. East Street, Woodland, CA 95776
Phone (530) 666-9056 - Fax (530) 666-9058

# Compliance Analysis Report

**Customer**
Lorinda Dairy
619 S. Vincent Rd.
Turlock, CA 95380

**Grower**

**Consultant:**
Heartland Consulting
P.O. Box 3679
Merced, CA 95344

PURCHASE ORDER:
RECEIVED DATE: 8/17/23 2:40 PM
SUBMITTED BY: Dan
ANALYZED DATE: 8/18/23

Irrigation/ Ground Water (H1)
SOURCE: Well Water

NOTES: Temperature was above qualifying at 22.0c

| Sample ID | Lab ID | Analyte | Method Ref | Result | Units |
|---|---|---|---|---|---|
| T.I.D. | T3229023D | Electrical Conductivity (EC) | EPA 120.1 and | < 0.100 | mmhos/cm |
| | | Nitrate Nitrogen (NO3-N) | EPA 353.2 | < 0.140 | mg/L |
| | | Ammonia Nitrogen (NH3-N) | SM 4500-NH3 D,C | < 0.500 | mg/L |
| | | Soluble Salts (SALT-SOL) | Calculation | 17.3 | mg/L |

| Laboratory Quality Control | LCS % | MS % | MSD % | RPD % |
|---|---|---|---|---|
| Ammonia Nitrogen (NH3-N) | 98.6 | 94.0 (T3229020B) | 92.8 (T3229020B) | 1.28 |
| Electrical Conductivity (EC) | 100 | | | 0.032 |
| Nitrate Nitrogen (NO3-N) | 110 | 93.9 (T3229020B) | 92.7 (T3229020B) | 1.29 |

The warranty of Denele Analytical is limited to the accuracy of the analyses of the samples as received. Denele Analytical assumes no responsibility for which the customer uses our test results, nor liability for any other warranties, express or implied. These terms and conditions shall supercede any conflicting terms and conditions submitted on customer purchase orders or other forms submitted for work.

# DENELE ANALYTICAL, INC.

865 S. KILROY
TURLOCK, CA 95380
PH# 209-634-9055 FAX# 209-634-9057

## DAIRY COMPLIANCE

Client: ~~A&C MACHADO #2~~ / LORINDA DAIRY
Mailing address: 619 S. Vincent Rd., Turlock CA 95380
(not facility address)
Phone#: 209-678-2632

Authorized Copy Released To:
hlcdan@yahoo.com

Sampled By: Daniel Roos
Project ID:

## ANALYSIS TO BE COMPLETED:

**IRRIGATION/GROUND WATER**
H1 EC*, NO3-N, NH4-N*
H6 EC, TN, TDS
H7 Combination of H1 & H6
H14 EC, NO3-N, NH4-N, Ca, Mg, Na, Bicarb Carb, SO4, Cl, TDS

**PROCESS WASTE WATER**
H3 EC*, NH4-N, TKN, TP, K, TDS
H4 EC*, NO3-N, NH4-N, TKN, TP, K, TDS
H5 Ca, Mg, Na, Bicarb, Carb, SO4, Cl
H8 Combination of H3 &H5
H9 Combination of H4 &H5

**TILE DRAIN**
H2 EC*, NO3-N, TP, NH4-N*, TDS

** Required Field Measurement*
___ (Check here if performed)

**DISCHARGE WATER**
E1 EC*, Temp*, pH*, NO3-N, NH4-N, TKN, TP, K, TDS, Dissolved Oxygen*, BOD 5, TSS, Total & Fecal Coliforms
E2 EC,* Temp*, pH*, NO3-N, NH4-N*, Turbidity, TP, Dissolved Oxygen*, Total & Fecal Coliforms
E3 EC*, Temp*, pH*, NO3-N, NH4-N*, TP, Total & Fecal Coliforms
E4 EC*, Temp*, pH*, NO3-N, NH4-N*, Turbidity, TP, Total & Fecal Coliform

**MANURE**
M1 % Moisture
M3 TN TP, K, % Moisture
M4 Ca, Mg, Na, Bicarb, Carb, SO4, Cl, Ash
M7 Combination of M3 & M4

**PLANT TISSUE**
F18 % Moisture, Ash, TN, P, K, DM and as received
F18+ % Moisture, Ash, TN, P, K, DM and as received (Package also includes NIR DCAD)
F19+ % Moisture, TN (Package includes complete plant tissue analysis)

**SOIL**
K3 Soluble Phosphorus
K4 1ft NO3, Organic Matter
K5 Pre-Plant (2ft NO3), Fall (1-2ft NO3), Fall (2-3ft NO3)
K6 0-1ft EC, NO3, Soluble P, K, Organic Matter
K7 Combination of K3 & K4
K8 Combination of K3 & K5

| | Date Collected | Time Collected | Sample ID | Description | Temp | Well Purge | H1 | H3 | M3 | F18 | OTHER |
|---|---|---|---|---|---|---|---|---|---|---|---|
| 1 | 8-17-23 | 1340 | LG-1-3 | | 21.2' | | | X | | | |
| 2 | ↓ | 1345 | D-1 | | 22.0 | 10 MINS | X | | | | |
| 3 | | 1350 | D-2 | | 22.2' | | X | | | | |
| 4 | 8-17-23 | 1400 | T.I.D. | | 22.0 | | X | | | | |
| 5 | | | | | | | | | | | |
| 6 | | | | | | | | | | | |
| 7 | | | | | | | | | | | |
| 8 | | | | | | | | | | | |
| 9 | | | | | | | | | | | |
| 10 | | | | | | | | | | | |

**CHAIN OF CUSTODY RECORDING**

| | Signature | Company | Received Date & Time | Relinquished Date & Time | Logged In By: | LABORATORY NUMBER |
|---|---|---|---|---|---|---|
| 1st | | HeartLand Consulting | | 8-17-23 1440 | | |
| 2nd | | DENELE ANALYTICAL, INC. | 8/17/23 1440 | | | T3229023 |

*(LABORATORY USE ONLY)*

Required to be submitted to any agency? (YES / NO)

**Manure / Process Wastewater Tracking Manifest**
**For**
**Existing Milk Cow Dairies**

General Order No. R5-2007-0035, Attachment D

## INSTRUCTIONS

1) Complete one manifest for each hauling event, for each destination. A hauling event may last for several days, as long as the manure is being hauled to the same destination.
2) If there are multiple destinations, complete a separate form for each destination.
3) The operator must obtain the signature of the hauler upon completion of each manure/process wastewater hauling event.
4) The operator shall submit copies of manure/process wastewater tracking manifest(s) with the Annual Monitoring Report for Existing Milk Cow Dairies.

## OPERATOR INFORMATION

Name of Operator: Loren Lopes

Name of Dairy Facility: Azevedo Farms

Facility Address:

| Number and Street | City | County | Zip Code |
|---|---|---|---|
| 619 S. Vincent Road | Turlock | Stanislaus | 95380 |

Contact Person Name and Phone Number:

| Name | Phone Number |
|---|---|
| Loren Lopes | (209) 678-2632 |

## MANURE HAULER INFORMATION

Name of Hauling Company/Person: NDJ Farming

Address of Hauling Company/Person:

| Number and Street | City | State | Zip Code |
|---|---|---|---|
| 7306 East Avenue | Turlock | CA | 95380 |

Contact Person:

| Name | Phone Number |
|---|---|
| Dennis Serpa | (209) 918-5622 |

## DESTINATION INFORMATION

Composting Facility / Broker / Farmer / Other (identify): Farmer

Contact information of Composting Facility, Broker, Farmer, or Other (as identified above):

| Name | Phone Number |
|---|---|
| NDJ Farming | (209) 918-5622 |

| Address | City | State | Zip Code |
|---|---|---|---|
| 7306 East Avenue | Turlock | CA | 95380 |

Destination Address or Assessor's Parcel Number:

| Address | City | Zip Code |
|---|---|---|
| 7306 East Avenue | Turlock | 95380 |

| Street and nearest cross street (if no address) | County |
|---|---|
| | Stanislaus |

| Assessor's Parcel Number | Assessor's Parcel Number County |
|---|---|
| | |

Last date hauled: 09/07/2023

**Manure / Process Wastewater Tracking Manifest**
**For**
**Existing Milk Cow Dairies**

General Order No. R5-2007-0035, Attachment D

## MANURE AMOUNT HAULED

Enter the amount of manure hauled in tons, manure solids content, and the method used to calculate the amount:

Manure: 1,138.00 tons

Manure Solids Content: 69.3 %

Method used to determine amount of manure:

Averaged scale weighed trucks muliplied by the number of trucks hauled

## CERTIFICATION

I declare under penalty of law that I personally examined and am familiar with the information submitted in this document, and that based on my inquiry of those individuals immediately responsible for obtaining the information, I believe that the information is true , accurate, and complete. I am aware that there are significant penalties for submitting false information, including the possibility of a fine and imprisonment for knowing violations.

Loren Lopes
Loren Lopes (Jun 24, 2024 09:45 PDT)

Jun 24, 2024

Operator Signature — Date

Dennis Serpa

05-20-2024

Hauler Signature — Date

# 2023 AR LORINDA

Final Audit Report 2024-06-24

| | |
|---|---|
| Created: | 2024-06-24 |
| By: | Daniel Roos (hlcdan@yahoo.com) |
| Status: | Signed |
| Transaction ID: | CBJCHBCAABAAlnppTQg3u6wQVdaw_B7EkR4FwfghiGH0 |

## "2023 AR LORINDA" History

Document created by Daniel Roos (hlcdan@yahoo.com)
2024-06-24 - 4:40:12 PM GMT- IP address: 52.35.137.225

Document emailed to ldairy@aol.com for signature
2024-06-24 - 4:41:46 PM GMT

Email viewed by ldairy@aol.com
2024-06-24 - 4:42:54 PM GMT- IP address: 69.147.89.13

Signer ldairy@aol.com entered name at signing as Loren Lopes
2024-06-24 - 4:45:16 PM GMT- IP address: 172.59.145.187

Document e-signed by Loren Lopes (ldairy@aol.com)
Signature Date: 2024-06-24 - 4:45:18 PM GMT - Time Source: server- IP address: 172.59.145.187

Agreement completed.
2024-06-24 - 4:45:18 PM GMT