Annual Report - General Order No. R5-2007-0035
Reporting period 01/01/2023 to 12/31/2023.

DAIRY FACILITY INFORMATION

A. NAME OF DAIRY OR BUSINESS OPERATING THE DAIRY: Pinnacle Dairy L.P.

Physical address of dairy:

Number and Street	City	County	Zip Code
724 Ruble RD	Crows Landing	Stanislaus	95313

Street and nearest cross street (if no address):

Date facility was originally placed in operation: 01/01/1958

Regional Water Quality Control Board Basin Plan designation: San Joaquin River Basin

County Assessor Parcel Number(s) for dairy facility:

X058-X005-X014-XXXX

B. OPERATORS

Pinnacle Dairy LP

Operator name: Pinnacle Dairy LP

Telephone no.: (209) 495-7398 (Landline) (Cellular)

Mailing Address Number and Street	City	State	Zip Code
5638 Columbus AVE	Hilmar	CA	95324

This operator is responsible for paying permit fees.

C. OWNERS

Blount, Kevin

Legal owner name: Blount, Kevin

Telephone no.: (209) 668-7129 (Landline) (Cellular)

Mailing Address Number and Street	City	State	Zip Code
P.O. Box 339	Turlock	CA	95380

Blount, Ronda

Legal owner name: Blount, Ronda

Telephone no.: (209) 668-7129 (Landline) (Cellular)

Mailing Address Number and Street	City	State	Zip Code
P.O. Box 339	Turlock	CA	95380

AVAILABLE NUTRIENTS

A. HERD INFORMATION

	Milk Cows	Dry Cows	Bred Heifers (15-24 mo.)	Heifers (7-14 mo. to breeding)	Calves (4-6 mo.)	Calves (0-3 mo.)
Number open confinement	0	200	400	400	100	0
Number under roof	1,240	0	0	0	0	0
Maximum number	1,240	200	400	400	100	0
Average number	1,240	200	400	400	100	0
Avg live weight (lbs)	950	1,000	600	450		

Predominant milk cow breed: Jersey

Average milk production: 55 *pounds per cow per day*

B. MANURE GENERATED

Total manure excreted by the herd: 39,633.67 *tons per reporting period*

Total nitrogen from manure: 504,860.37 *lbs per reporting period*

After ammonia losses (30% loss applied): 353,402.26 *lbs per reporting period*

Total phosphorus from manure: 83,183.97 *lbs per reporting period*

Total potassium from manure: 225,251.24 *lbs per reporting period*

Total salt from manure: 629,844.00 *lbs per reporting period*

C. PROCESS WASTEWATER GENERATED

Process wastewater generated: 33,660,000 *gallons*

Total nitrogen generated: 97,744.03 *lbs*

Total phosphorus generated: 13,989.07 *lbs*

Total potassium generated: 206,310.31 *lbs*

Total salt generated: 1,661,695.62 *lbs*

	26,040,000	*gallons applied*
+	7,620,000	*gallons exported*
-	0	*gallons imported*
=	33,660,000	*gallons generated*

D. FRESH WATER SOURCES

Source Description	Type
Canal	Surface water

E. SUBSURFACE (TILE) DRAINAGE SOURCES

No subsurface (tile) drainage sources entered.

F. NUTRIENT IMPORTS

No dry manure nutrient imports entered.

No process wastewater nutrient imports entered.

No commercial or other nutrient imports entered.

G. NUTRIENT EXPORTS

No solid nutrient exports entered.

Date	Material type	Quantity	Kjeldahl-N (mg/L)	Ammonium-N (mg/L)	Ammonia-N (mg/L)	Nitrate-N (mg/L)	P (mg/L)	K (mg/L)	EC (µmhos/cm)	TDS (mg/L)
01/13/2023	Process wastewater	300,000.00 *gal*	991.00	473.00	0.00	0.00	121.00	1,270.00		7,020
01/29/2023	Process wastewater	360,000.00 *gal*	991.00	473.00	0.00	0.00	121.00	1,270.00		7,020
02/08/2023	Process wastewater	300,000.00 *gal*	991.00	473.00	0.00	0.00	121.00	1,270.00		7,020
02/20/2023	Process wastewater	240,000.00 *gal*	991.00	473.00	0.00	0.00	121.00	1,270.00		7,020
03/09/2023	Process wastewater	480,000.00 *gal*	991.00	473.00	0.00	0.00	121.00	1,270.00		7,020
04/24/2023	Process wastewater	600,000.00 *gal*	252.00	143.00	0.00	0.00	42.10	677.00		4,320
05/04/2023	Process wastewater	660,000.00 *gal*	252.00	143.00	0.00	0.00	42.10	677.00		4,320
05/05/2023	Process wastewater	240,000.00 *gal*	252.00	143.00	0.00	0.00	42.10	677.00		4,320
06/11/2023	Process wastewater	120,000.00 *gal*	252.00	143.00	0.00	0.00	42.10	677.00		4,320
06/11/2023	Process wastewater	420,000.00 *gal*	252.00	143.00	0.00	0.00	42.10	677.00		4,320
06/24/2023	Process wastewater	240,000.00 *gal*	252.00	143.00	0.00	0.00	42.10	677.00		4,320
06/24/2023	Process wastewater	420,000.00 *gal*	252.00	143.00	0.00	0.00	42.10	677.00		4,320
07/04/2023	Process wastewater	240,000.00 *gal*	336.00	224.00	0.00	0.00	37.20	671.00		8,140
07/17/2023	Process wastewater	120,000.00 *gal*	336.00	224.00	0.00	0.00	37.20	671.00		8,140
07/17/2023	Process wastewater	240,000.00 *gal*	336.00	224.00	0.00	0.00	37.20	671.00		8,140
07/28/2023	Process wastewater	240,000.00 *gal*	336.00	224.00	0.00	0.00	37.20	671.00		8,140
07/28/2023	Process wastewater	120,000.00 *gal*	336.00	224.00	0.00	0.00	37.20	671.00		8,140
08/08/2023	Process wastewater	120,000.00 *gal*	336.00	224.00	0.00	0.00	37.20	671.00		8,140
08/17/2023	Process wastewater	180,000.00 *gal*	336.00	224.00	0.00	0.00	37.20	671.00		8,140
08/17/2023	Process wastewater	240,000.00 *gal*	336.00	224.00	0.00	0.00	37.20	671.00		8,140
10/14/2023	Process wastewater	120,000.00 *gal*	770.00	473.00	0.00	0.00	62.50	1,020.00		9,540
10/14/2023	Process wastewater	180,000.00 *gal*	770.00	473.00	0.00	0.00	62.50	1,020.00		9,540
11/04/2023	Process wastewater	240,000.00 *gal*	770.00	473.00	0.00	0.00	62.50	1,020.00		9,540
11/18/2023	Process wastewater	120,000.00 *gal*	770.00	473.00	0.00	0.00	62.50	1,020.00		9,540
11/30/2023	Process wastewater	360,000.00 *gal*	770.00	473.00	0.00	0.00	62.50	1,020.00		9,540
12/07/2023	Process wastewater	300,000.00 *gal*	770.00	473.00	0.00	0.00	62.50	1,020.00		9,540
12/29/2023	Process wastewater	420,000.00 *gal*	770.00	473.00	0.00	0.00	62.50	1,020.00		9,540

Material type	Total N (lbs)	Total P (lbs)	Total K (lbs)	Total salt (lbs)
Dry manure	0.00	0.00	0.00	0.00
Process wastewater	34,957.87	4,018.12	56,268.67	436,169.78
Total exports for all materials	34,957.87	4,018.12	56,268.67	436,169.78

APPLICATION AREA

A. LIST OF LAND APPLICATION AREAS

Field name	Controlled acres	Cropable acres	Total harvests	Type of waste applied	Parcel number
F2	14	14	2	process wastewater	X058-X005-X012-XXXX X058-X005-X013-XXXX
F3	41	41	2	both	X058-X005-X014-XXXX
F5	29	29	2	process wastewater	X058-X005-X015-XXXX
F6	14	14	2	process wastewater	X058-X005-X015-XXXX
F7	69	69	2	both	X058-X022-X013-XXXX
F8	10	10	0	none	X058-X007-X014-XXXX
Totals for areas that were used for application	167	167	10		
Totals for areas that were not used for application	10	10	0		
Land application area totals	177	177	10		

B. CROPS AND HARVESTS

F2

Field name: F2

10/22/2022: Oats, silage-soft dough

Crop: Oats, silage-soft dough Acres planted: 14 Plant date: 10/22/2022

Harvest date	Yield	Reporting basis	Density (lbs/cu ft)	Moisture (%)	N (mg/kg)	P (mg/kg)	K (mg/kg)	Salt (mg/kg)	TFS (%)
04/17/2023	148.42 *ton*	As-is		54.8	8,200.00	1,600.00	13,100.00		9.21

	Yield (tons/acre)	Total N (lbs/acre)	Total P (lbs/acre)	Total K (lbs/acre)	Salt (lbs/acre)
Anticipated harvest content	16.00	160.00	25.60	132.80	0.00
Total actual harvest content	10.60	173.86	33.92	277.76	882.66

F2

05/16/2023: Corn, silage

Crop: Corn, silage Acres planted: 14 Plant date: 05/16/2023

Harvest date	Yield	Reporting basis	Density (lbs/cu ft)	Moisture (%)	N (mg/kg)	P (mg/kg)	K (mg/kg)	Salt (mg/kg)	TFS (%)
08/31/2023	446.18 *ton*	As-is		72.2	3,200.00	600.00	4,200.00		5.34

	Yield (tons/acre)	Total N (lbs/acre)	Total P (lbs/acre)	Total K (lbs/acre)	Salt (lbs/acre)
Anticipated harvest content	30.00	240.00	45.00	198.00	0.00
Total actual harvest content	31.87	203.97	38.24	267.71	946.23

F3

Field name: F3

10/23/2022: Oats, silage-soft dough

Crop: Oats, silage-soft dough Acres planted: 41 Plant date: 10/23/2022

Harvest date	Yield	Reporting basis	Density (lbs/cu ft)	Moisture (%)	N (mg/kg)	P (mg/kg)	K (mg/kg)	Salt (mg/kg)	TFS (%)
05/01/2023	771.07 *ton*	As-is		74.4	5,800.00	900.00	8,200.00		11.50

	Yield (tons/acre)	Total N (lbs/acre)	Total P (lbs/acre)	Total K (lbs/acre)	Salt (lbs/acre)
Anticipated harvest content	16.00	160.00	25.60	132.80	0.00
Total actual harvest content	18.81	218.16	33.85	308.43	1,107.33

06/05/2023: Corn, silage

Crop: Corn, silage Acres planted: 41 Plant date: 06/05/2023

Harvest date	Yield	Reporting basis	Density (lbs/cu ft)	Moisture (%)	N (mg/kg)	P (mg/kg)	K (mg/kg)	Salt (mg/kg)	TFS (%)
09/25/2023	1,059.47 *ton*	As-is		69.4	4,000.00	600.00	6,200.00		5.70

	Yield (tons/acre)	Total N (lbs/acre)	Total P (lbs/acre)	Total K (lbs/acre)	Salt (lbs/acre)
Anticipated harvest content	30.00	240.00	45.00	198.00	0.00
Total actual harvest content	25.84	206.73	31.01	320.43	901.43

F5

Field name: F5

10/23/2022: Oats, silage-soft dough

Crop: Oats, silage-soft dough Acres planted: 29 Plant date: 10/23/2022

Harvest date	Yield	Reporting basis	Density (lbs/cu ft)	Moisture (%)	N (mg/kg)	P (mg/kg)	K (mg/kg)	Salt (mg/kg)	TFS (%)
04/17/2023	328.78 *ton*	As-is		58.8	9,000.00	1,700.00	14,600.00		9.67

	Yield (tons/acre)	Total N (lbs/acre)	Total P (lbs/acre)	Total K (lbs/acre)	Salt (lbs/acre)
Anticipated harvest content	16.00	160.00	25.60	132.80	0.00
Total actual harvest content	11.34	204.07	38.55	331.05	903.36

05/16/2023: Corn, silage

Crop: Corn, silage Acres planted: 29 Plant date: 05/16/2023

Harvest date	Yield	Reporting basis	Density (lbs/cu ft)	Moisture (%)	N (mg/kg)	P (mg/kg)	K (mg/kg)	Salt (mg/kg)	TFS (%)
09/01/2023	990.46 *ton*	As-is		68.2	4,200.00	900.00	5,500.00		6.09

	Yield (tons/acre)	Total N (lbs/acre)	Total P (lbs/acre)	Total K (lbs/acre)	Salt (lbs/acre)
Anticipated harvest content	30.00	240.00	45.00	198.00	0.00
Total actual harvest content	34.15	286.89	61.48	375.69	1,322.86

F6

Field name: F6

10/23/2022: Oats, silage-soft dough

Crop: Oats, silage-soft dough Acres planted: 14 Plant date: 10/23/2022

Harvest date	Yield	Reporting basis	Density (lbs/cu ft)	Moisture (%)	N (mg/kg)	P (mg/kg)	K (mg/kg)	Salt (mg/kg)	TFS (%)
04/17/2023	139.56 *ton*	As-is		59.4	10,200.00	1,700.00	15,200.00		11.20

	Yield (tons/acre)	Total N (lbs/acre)	Total P (lbs/acre)	Total K (lbs/acre)	Salt (lbs/acre)
Anticipated harvest content	16.00	160.00	25.60	132.80	0.00
Total actual harvest content	9.97	203.36	33.89	303.04	906.58

F6

05/16/2023: Corn, silage

Crop: Corn, silage Acres planted: 14 Plant date: 05/16/2023

Harvest date	Yield	Reporting basis	Density (lbs/cu ft)	Moisture (%)	N (mg/kg)	P (mg/kg)	K (mg/kg)	Salt (mg/kg)	TFS (%)
09/01/2023	387.88 *ton*	As-is		68.2	4,200.00	900.00	5,500.00		6.09

	Yield (tons/acre)	Total N (lbs/acre)	Total P (lbs/acre)	Total K (lbs/acre)	Salt (lbs/acre)
Anticipated harvest content	30.00	240.00	45.00	198.00	0.00
Total actual harvest content	27.71	232.73	49.87	304.76	1,073.11

F7

Field name: F7

11/01/2022: Oats, silage-soft dough

Crop: Oats, silage-soft dough Acres planted: 69 Plant date: 11/01/2022

Harvest date	Yield	Reporting basis	Density (lbs/cu ft)	Moisture (%)	N (mg/kg)	P (mg/kg)	K (mg/kg)	Salt (mg/kg)	TFS (%)
05/01/2023	872.11 *ton*	As-is		62.0	5,400.00	800.00	6,900.00		8.70

	Yield (tons/acre)	Total N (lbs/acre)	Total P (lbs/acre)	Total K (lbs/acre)	Salt (lbs/acre)
Anticipated harvest content	16.00	160.00	25.60	132.80	0.00
Total actual harvest content	12.64	136.50	20.22	174.42	835.71

06/05/2023: Corn, silage

Crop: Corn, silage Acres planted: 69 Plant date: 06/05/2023

Harvest date	Yield	Reporting basis	Density (lbs/cu ft)	Moisture (%)	N (mg/kg)	P (mg/kg)	K (mg/kg)	Salt (mg/kg)	TFS (%)
09/21/2023	2,215.45 *ton*	As-is		69.4	4,000.00	600.00	6,200.00		5.70

	Yield (tons/acre)	Total N (lbs/acre)	Total P (lbs/acre)	Total K (lbs/acre)	Salt (lbs/acre)
Anticipated harvest content	30.00	240.00	45.00	198.00	0.00
Total actual harvest content	32.11	256.86	38.53	398.14	1,120.05

NUTRIENT BUDGET

A. LAND APPLICATIONS

F2 - 10/22/2022: Oats, silage-soft dough

Field name: F2

Crop: Oats, silage-soft dough — Plant date: 10/22/2022

Application date	Application method	Precipitation 24 hours prior	Precipitation during application	Precipitation 24 hours following
10/05/2022	Surface (irrigation)	No precipitation	No precipitation	No precipitation

Source description	Material type	N (lbs/acre)	P (lbs/acre)	K (lbs/acre)	Salt (lbs/acre)	Amount
WWS	Process wastewater	91.09	22.37	242.70	1,274.64	540,000.00 *gal*
Canal	Surface water	0.00	0.00	0.00	34.98	2,257,150.00 *gal*
Application event totals		91.09	22.37	242.70	1,309.62	

Application date	Application method	Precipitation 24 hours prior	Precipitation during application	Precipitation 24 hours following
12/22/2022	Surface (irrigation)	No precipitation	No precipitation	No precipitation

Source description	Material type	N (lbs/acre)	P (lbs/acre)	K (lbs/acre)	Salt (lbs/acre)	Amount
WWS	Process wastewater	50.61	12.43	134.83	708.13	300,000.00 *gal*
Application event totals		50.61	12.43	134.83	708.13	

Application date	Application method	Precipitation 24 hours prior	Precipitation during application	Precipitation 24 hours following
01/20/2023	Surface (irrigation)	No precipitation	No precipitation	No precipitation

Source description	Material type	N (lbs/acre)	P (lbs/acre)	K (lbs/acre)	Salt (lbs/acre)	Amount
WWS	Process wastewater	36.05	6.02	96.85	618.01	240,000.00 *gal*
Application event totals		36.05	6.02	96.85	618.01	

Application date	Application method	Precipitation 24 hours prior	Precipitation during application	Precipitation 24 hours following
03/19/2023	Surface (irrigation)	No precipitation	No precipitation	No precipitation

Source description	Material type	N (lbs/acre)	P (lbs/acre)	K (lbs/acre)	Salt (lbs/acre)	Amount
WWS	Process wastewater	29.29	4.89	78.69	502.13	195,000.00 *gal*
Application event totals		29.29	4.89	78.69	502.13	

F2 - 05/16/2023: Corn, silage

Field name: F2

Crop: Corn, silage — Plant date: 05/16/2023

Application date	Application method	Precipitation 24 hours prior	Precipitation during application	Precipitation 24 hours following

F2 - 05/16/2023: Corn, silage

Application date	Application method	Precipitation 24 hours prior	Precipitation during application	Precipitation 24 hours following
05/04/2023	Surface (irrigation)	No precipitation	No precipitation	No precipitation

Source description	Material type	N (lbs/acre)	P (lbs/acre)	K (lbs/acre)	Salt (lbs/acre)	Amount
WWS	Process wastewater	54.08	9.03	145.27	927.01	360,000.00 *gal*
Canal	Surface water	0.00	0.00	0.00	37.66	2,430,000.00 *gal*
Application event totals		54.08	9.03	145.27	964.67	

Application date	Application method	Precipitation 24 hours prior	Precipitation during application	Precipitation 24 hours following
06/11/2023	Surface (irrigation)	No precipitation	No precipitation	No precipitation

Source description	Material type	N (lbs/acre)	P (lbs/acre)	K (lbs/acre)	Salt (lbs/acre)	Amount
WWS	Process wastewater	45.06	7.53	121.06	772.51	300,000.00 *gal*
Canal	Surface water	0.00	0.00	0.00	37.66	2,430,000.00 *gal*
Application event totals		45.06	7.53	121.06	810.17	

Application date	Application method	Precipitation 24 hours prior	Precipitation during application	Precipitation 24 hours following
06/25/2023	Surface (irrigation)	No precipitation	No precipitation	No precipitation

Source description	Material type	N (lbs/acre)	P (lbs/acre)	K (lbs/acre)	Salt (lbs/acre)	Amount
WWS	Process wastewater	36.05	6.02	96.85	618.01	240,000.00 *gal*
Canal	Surface water	0.00	0.00	0.00	34.52	2,227,500.00 *gal*
Application event totals		36.05	6.02	96.85	652.53	

Application date	Application method	Precipitation 24 hours prior	Precipitation during application	Precipitation 24 hours following
07/05/2023	Surface (irrigation)	No precipitation	No precipitation	No precipitation

Source description	Material type	N (lbs/acre)	P (lbs/acre)	K (lbs/acre)	Salt (lbs/acre)	Amount
Canal	Surface water	0.00	0.00	0.00	31.58	2,037,500.00 *gal*
Application event totals		0.00	0.00	0.00	31.58	

Application date	Application method	Precipitation 24 hours prior	Precipitation during application	Precipitation 24 hours following
07/18/2023	Pipeline	No precipitation	No precipitation	No precipitation

Source description	Material type	N (lbs/acre)	P (lbs/acre)	K (lbs/acre)	Salt (lbs/acre)	Amount
WWS	Process wastewater	39.05	4.32	77.99	946.14	195,000.00 *gal*
Canal	Surface water	0.00	0.00	0.00	19.02	1,227,500.00 *gal*
Application event totals		39.05	4.32	77.99	965.17	

F2 - 05/16/2023: Corn, silage

Application date	Application method	Precipitation 24 hours prior	Precipitation during application	Precipitation 24 hours following
07/29/2023	Surface (irrigation)	No precipitation	No precipitation	No precipitation

Source description	Material type	N (lbs/acre)	P (lbs/acre)	K (lbs/acre)	Salt (lbs/acre)	Amount
WWS	Process wastewater	42.06	4.66	83.99	1,018.92	210,000.00 *gal*
Canal	Surface water	0.00	0.00	0.00	15.89	1,025,000.00 *gal*
Application event totals		42.06	4.66	83.99	1,034.81	

Application date	Application method	Precipitation 24 hours prior	Precipitation during application	Precipitation 24 hours following
08/09/2023	Surface (irrigation)	No precipitation	No precipitation	No precipitation

Source description	Material type	N (lbs/acre)	P (lbs/acre)	K (lbs/acre)	Salt (lbs/acre)	Amount
WWS	Process wastewater	36.05	3.99	71.99	873.36	180,000.00 *gal*
Canal	Surface water	0.00	0.00	0.00	22.16	1,430,000.00 *gal*
Application event totals		36.05	3.99	71.99	895.53	

Application date	Application method	Precipitation 24 hours prior	Precipitation during application	Precipitation 24 hours following
08/16/2023	Surface (irrigation)	No precipitation	No precipitation	No precipitation

Source description	Material type	N (lbs/acre)	P (lbs/acre)	K (lbs/acre)	Salt (lbs/acre)	Amount
WWS	Process wastewater	30.04	3.33	59.99	727.80	150,000.00 *gal*
Canal	Surface water	0.00	0.00	0.00	19.02	1,227,500.00 *gal*
Application event totals		30.04	3.33	59.99	746.83	

F3 - 10/23/2022: Oats, silage-soft dough

Field name: F3

Crop: Oats, silage-soft dough

Plant date: 10/23/2022

Application date	Application method	Precipitation 24 hours prior	Precipitation during application	Precipitation 24 hours following
10/05/2022	Surface (irrigation)	No precipitation	No precipitation	No precipitation

Source description	Material type	N (lbs/acre)	P (lbs/acre)	K (lbs/acre)	Salt (lbs/acre)	Amount
WWS	Process wastewater	55.30	13.58	147.33	773.76	960,000.00 *gal*
Canal	Surface water	0.00	0.00	0.00	34.10	6,443,355.00 *gal*
Application event totals		55.30	13.58	147.33	807.86	

F3 - 10/23/2022: Oats, silage-soft dough

Application date	Application method	Precipitation 24 hours prior	Precipitation during application	Precipitation 24 hours following
11/28/2022	Surface (irrigation)	No precipitation	No precipitation	No precipitation

Source description	Material type	N (lbs/acre)	P (lbs/acre)	K (lbs/acre)	Salt (lbs/acre)	Amount
WWS	Process wastewater	41.47	10.18	110.50	580.32	720,000.00 *gal*
Application event totals		41.47	10.18	110.50	580.32	

Application date	Application method	Precipitation 24 hours prior	Precipitation during application	Precipitation 24 hours following
01/05/2023	Surface (irrigation)	No precipitation	No precipitation	No precipitation

Source description	Material type	N (lbs/acre)	P (lbs/acre)	K (lbs/acre)	Salt (lbs/acre)	Amount
WWS	Process wastewater	36.93	6.17	99.21	633.08	720,000.00 *gal*
Application event totals		36.93	6.17	99.21	633.08	

Application date	Application method	Precipitation 24 hours prior	Precipitation during application	Precipitation 24 hours following
02/23/2023	Surface (irrigation)	No precipitation	No precipitation	No precipitation

Source description	Material type	N (lbs/acre)	P (lbs/acre)	K (lbs/acre)	Salt (lbs/acre)	Amount
WWS	Process wastewater	27.70	4.63	74.41	474.81	540,000.00 *gal*
Application event totals		27.70	4.63	74.41	474.81	

Application date	Application method	Precipitation 24 hours prior	Precipitation during application	Precipitation 24 hours following
03/04/2023	Surface (irrigation)	No precipitation	No precipitation	No precipitation

Source description	Material type	N (lbs/acre)	P (lbs/acre)	K (lbs/acre)	Salt (lbs/acre)	Amount
WWS	Process wastewater	21.54	3.60	57.87	369.30	420,000.00 *gal*
Application event totals		21.54	3.60	57.87	369.30	

Application date	Application method	Precipitation 24 hours prior	Precipitation during application	Precipitation 24 hours following
04/02/2023	Surface (irrigation)	No precipitation	No precipitation	No precipitation

Source description	Material type	N (lbs/acre)	P (lbs/acre)	K (lbs/acre)	Salt (lbs/acre)	Amount
WWS	Process wastewater	35.39	5.91	95.08	606.70	690,000.00 *gal*
Canal	Surface water	0.00	0.00	0.00	27.13	5,127,255.00 *gal*
Application event totals		35.39	5.91	95.08	633.84	

F3 - 06/05/2023: Corn, silage

Field name: F3

Crop: Corn, silage

Plant date: 06/05/2023

Application date	Application method	Precipitation 24 hours prior	Precipitation during application	Precipitation 24 hours following

F3 - 06/05/2023: Corn, silage

Application date	Application method	Precipitation 24 hours prior	Precipitation during application	Precipitation 24 hours following
05/10/2023	Broadcast/incorporate	No precipitation	No precipitation	No precipitation

Source description	Material type	N (lbs/acre)	P (lbs/acre)	K (lbs/acre)	Salt (lbs/acre)	Amount
Solid Manure	Separator solids	95.71	12.71	29.65	2,193.73	451.00 *ton*
Application event totals		95.71	12.71	29.65	2,193.73	

05/23/2023	Surface (irrigation)	No precipitation	No precipitation	No precipitation

Source description	Material type	N (lbs/acre)	P (lbs/acre)	K (lbs/acre)	Salt (lbs/acre)	Amount
WWS	Process wastewater	30.77	5.14	82.68	527.57	600,000.00 *gal*
Canal	Surface water	0.00	0.00	0.00	37.51	7,087,500.00 *gal*
Application event totals		30.77	5.14	82.68	565.07	

07/02/2023	Surface (irrigation)	No precipitation	No precipitation	No precipitation

Source description	Material type	N (lbs/acre)	P (lbs/acre)	K (lbs/acre)	Salt (lbs/acre)	Amount
Canal	Surface water	0.00	0.00	0.00	28.93	5,467,500.00 *gal*
Application event totals		0.00	0.00	0.00	28.93	

07/17/2023	Surface (irrigation)	No precipitation	No precipitation	No precipitation

Source description	Material type	N (lbs/acre)	P (lbs/acre)	K (lbs/acre)	Salt (lbs/acre)	Amount
WWS	Process wastewater	32.83	3.63	65.56	795.26	480,000.00 *gal*
Canal	Surface water	0.00	0.00	0.00	22.50	4,252,500.00 *gal*
Application event totals		32.83	3.63	65.56	817.76	

07/28/2023	Surface (irrigation)	No precipitation	No precipitation	No precipitation

Source description	Material type	N (lbs/acre)	P (lbs/acre)	K (lbs/acre)	Salt (lbs/acre)	Amount
WWS	Process wastewater	28.72	3.18	57.36	695.85	420,000.00 *gal*
Canal	Surface water	0.00	0.00	0.00	32.02	6,050,000.00 *gal*
Application event totals		28.72	3.18	57.36	727.87	

F3 - 06/05/2023: Corn, silage

Application date	Application method	Precipitation 24 hours prior	Precipitation during application	Precipitation 24 hours following
08/07/2023	Surface (irrigation)	No precipitation	No precipitation	No precipitation

Source description	Material type	N (lbs/acre)	P (lbs/acre)	K (lbs/acre)	Salt (lbs/acre)	Amount
WWS	Process wastewater	24.62	2.73	49.17	596.44	360,000.00 *gal*
Canal	Surface water	0.00	0.00	0.00	19.29	3,645,000.00 *gal*
Application event totals		24.62	2.73	49.17	615.73	

Application date	Application method	Precipitation 24 hours prior	Precipitation during application	Precipitation 24 hours following
08/17/2023	Surface (irrigation)	No precipitation	No precipitation	No precipitation

Source description	Material type	N (lbs/acre)	P (lbs/acre)	K (lbs/acre)	Salt (lbs/acre)	Amount
WWS	Process wastewater	36.93	4.09	73.75	894.67	540,000.00 *gal*
Canal	Surface water	0.00	0.00	0.00	22.50	4,252,500.00 *gal*
Application event totals		36.93	4.09	73.75	917.17	

Application date	Application method	Precipitation 24 hours prior	Precipitation during application	Precipitation 24 hours following
08/29/2023	Surface (irrigation)	No precipitation	No precipitation	No precipitation

Source description	Material type	N (lbs/acre)	P (lbs/acre)	K (lbs/acre)	Salt (lbs/acre)	Amount
WWS	Process wastewater	32.83	3.63	65.56	795.26	480,000.00 *gal*
Canal	Surface water	0.00	0.00	0.00	23.51	4,442,500.00 *gal*
Application event totals		32.83	3.63	65.56	818.77	

Application date	Application method	Precipitation 24 hours prior	Precipitation during application	Precipitation 24 hours following
09/08/2023	Surface (irrigation)	No precipitation	No precipitation	No precipitation

Source description	Material type	N (lbs/acre)	P (lbs/acre)	K (lbs/acre)	Salt (lbs/acre)	Amount
Canal	Surface water	0.00	0.00	0.00	18.22	3,442,500.00 *gal*
Application event totals		0.00	0.00	0.00	18.22	

F5 - 10/23/2022: Oats, silage-soft dough

Field name: F5

Crop: Oats, silage-soft dough

Plant date: 10/23/2022

Application date	Application method	Precipitation 24 hours prior	Precipitation during application	Precipitation 24 hours following

F5 - 10/23/2022: Oats, silage-soft dough

Application date	Application method	Precipitation 24 hours prior	Precipitation during application	Precipitation 24 hours following
10/05/2022	Surface (irrigation)	No precipitation	No precipitation	No precipitation

Source description	Material type	N (lbs/acre)	P (lbs/acre)	K (lbs/acre)	Salt (lbs/acre)	Amount
WWS	Process wastewater	50.08	12.30	133.44	700.81	615,000.00 *gal*
Canal	Surface water	0.00	0.00	0.00	34.10	4,557,205.00 *gal*
Application event totals		50.08	12.30	133.44	734.90	

Application date	Application method	Precipitation 24 hours prior	Precipitation during application	Precipitation 24 hours following
12/27/2022	Surface (irrigation)	No precipitation	No precipitation	No precipitation

Source description	Material type	N (lbs/acre)	P (lbs/acre)	K (lbs/acre)	Salt (lbs/acre)	Amount
WWS	Process wastewater	29.32	7.20	78.11	410.23	360,000.00 *gal*
Application event totals		29.32	7.20	78.11	410.23	

Application date	Application method	Precipitation 24 hours prior	Precipitation during application	Precipitation 24 hours following
01/01/2023	Surface (irrigation)	No precipitation	No precipitation	No precipitation

Source description	Material type	N (lbs/acre)	P (lbs/acre)	K (lbs/acre)	Salt (lbs/acre)	Amount
WWS	Process wastewater	21.75	3.63	58.44	372.94	300,000.00 *gal*
Application event totals		21.75	3.63	58.44	372.94	

Application date	Application method	Precipitation 24 hours prior	Precipitation during application	Precipitation 24 hours following
02/03/2023	Surface (irrigation)	No precipitation	No precipitation	No precipitation

Source description	Material type	N (lbs/acre)	P (lbs/acre)	K (lbs/acre)	Salt (lbs/acre)	Amount
WWS	Process wastewater	26.11	4.36	70.13	447.52	360,000.00 *gal*
Application event totals		26.11	4.36	70.13	447.52	

Application date	Application method	Precipitation 24 hours prior	Precipitation during application	Precipitation 24 hours following
03/14/2023	Surface (irrigation)	No precipitation	No precipitation	No precipitation

Source description	Material type	N (lbs/acre)	P (lbs/acre)	K (lbs/acre)	Salt (lbs/acre)	Amount
WWS	Process wastewater	34.81	5.82	93.51	596.70	480,000.00 *gal*
Application event totals		34.81	5.82	93.51	596.70	

Application date	Application method	Precipitation 24 hours prior	Precipitation during application	Precipitation 24 hours following
03/27/2023	Surface (irrigation)	No precipitation	No precipitation	No precipitation

Source description	Material type	N (lbs/acre)	P (lbs/acre)	K (lbs/acre)	Salt (lbs/acre)	Amount
WWS	Process wastewater	45.68	7.63	122.73	783.16	630,000.00 *gal*
Application event totals		45.68	7.63	122.73	783.16	

F5 - 05/16/2023: Corn, silage

Field name: F5

Crop: Corn, silage

Plant date: 05/16/2023

Application date	Application method	Precipitation 24 hours prior	Precipitation during application	Precipitation 24 hours following
05/05/2023	Surface (irrigation)	No precipitation	No precipitation	No precipitation

Source description	Material type	N (lbs/acre)	P (lbs/acre)	K (lbs/acre)	Salt (lbs/acre)	Amount
WWS	Process wastewater	65.26	10.90	175.33	1,118.81	900,000.00 *gal*
Canal	Surface water	0.00	0.00	0.00	45.45	6,075,000.00 *gal*
Application event totals		65.26	10.90	175.33	1,164.26	

Application date	Application method	Precipitation 24 hours prior	Precipitation during application	Precipitation 24 hours following
06/11/2023	Surface (irrigation)	No precipitation	No precipitation	No precipitation

Source description	Material type	N (lbs/acre)	P (lbs/acre)	K (lbs/acre)	Salt (lbs/acre)	Amount
WWS	Process wastewater	39.16	6.54	105.20	671.28	540,000.00 *gal*
Canal	Surface water	0.00	0.00	0.00	28.88	3,860,000.00 *gal*
Application event totals		39.16	6.54	105.20	700.16	

Application date	Application method	Precipitation 24 hours prior	Precipitation during application	Precipitation 24 hours following
06/24/2023	Surface (irrigation)	No precipitation	No precipitation	No precipitation

Source description	Material type	N (lbs/acre)	P (lbs/acre)	K (lbs/acre)	Salt (lbs/acre)	Amount
WWS	Process wastewater	30.46	5.09	81.82	522.11	420,000.00 *gal*
Canal	Surface water	0.00	0.00	0.00	16.67	2,227,500.00 *gal*
Application event totals		30.46	5.09	81.82	538.77	

Application date	Application method	Precipitation 24 hours prior	Precipitation during application	Precipitation 24 hours following
07/04/2023	Surface (irrigation)	No precipitation	No precipitation	No precipitation

Source description	Material type	N (lbs/acre)	P (lbs/acre)	K (lbs/acre)	Salt (lbs/acre)	Amount
Canal	Surface water	0.00	0.00	0.00	30.39	4,062,500.00 *gal*
Application event totals		0.00	0.00	0.00	30.39	

Application date	Application method	Precipitation 24 hours prior	Precipitation during application	Precipitation 24 hours following
07/18/2023	Surface (irrigation)	No precipitation	No precipitation	No precipitation

Source description	Material type	N (lbs/acre)	P (lbs/acre)	K (lbs/acre)	Salt (lbs/acre)	Amount
WWS	Process wastewater	36.26	4.01	72.41	878.38	375,000.00 *gal*
Canal	Surface water	0.00	0.00	0.00	22.82	3,050,000.00 *gal*
Application event totals		36.26	4.01	72.41	901.20	

F5 - 05/16/2023: Corn, silage

Application date	Application method	Precipitation 24 hours prior	Precipitation during application	Precipitation 24 hours following
07/29/2023	Pipeline	No precipitation	No precipitation	No precipitation

Source description	Material type	N (lbs/acre)	P (lbs/acre)	K (lbs/acre)	Salt (lbs/acre)	Amount
WWS	Process wastewater	29.01	3.21	57.93	702.71	300,000.00 *gal*
Canal	Surface water	0.00	0.00	0.00	25.85	3,455,000.00 *gal*
Application event totals		29.01	3.21	57.93	728.56	

Application date	Application method	Precipitation 24 hours prior	Precipitation during application	Precipitation 24 hours following
08/09/2023	Surface (irrigation)	No precipitation	No precipitation	No precipitation

Source description	Material type	N (lbs/acre)	P (lbs/acre)	K (lbs/acre)	Salt (lbs/acre)	Amount
WWS	Process wastewater	42.06	4.66	83.99	1,018.92	435,000.00 *gal*
Canal	Surface water	0.00	0.00	0.00	22.82	3,050,000.00 *gal*
Application event totals		42.06	4.66	83.99	1,041.74	

Application date	Application method	Precipitation 24 hours prior	Precipitation during application	Precipitation 24 hours following
08/17/2023	Surface (irrigation)	No precipitation	No precipitation	No precipitation

Source description	Material type	N (lbs/acre)	P (lbs/acre)	K (lbs/acre)	Salt (lbs/acre)	Amount
WWS	Process wastewater	49.31	5.46	98.47	1,194.60	510,000.00 *gal*
Canal	Surface water	0.00	0.00	0.00	24.24	3,240,000.00 *gal*
Application event totals		49.31	5.46	98.47	1,218.84	

F6 - 10/23/2022: Oats, silage-soft dough

Field name: F6

Crop: Oats, silage-soft dough

Plant date: 10/23/2022

Application date	Application method	Precipitation 24 hours prior	Precipitation during application	Precipitation 24 hours following
10/06/2022	Surface (irrigation)	No precipitation	No precipitation	No precipitation

Source description	Material type	N (lbs/acre)	P (lbs/acre)	K (lbs/acre)	Salt (lbs/acre)	Amount
WWS	Process wastewater	70.85	17.40	188.76	991.39	420,000.00 *gal*
Canal	Surface water	0.00	0.00	0.00	34.88	2,250,570.00 *gal*
Application event totals		70.85	17.40	188.76	1,026.27	

F6 - 10/23/2022: Oats, silage-soft dough

Application date	Application method	Precipitation 24 hours prior	Precipitation during application	Precipitation 24 hours following
12/09/2022	Surface (irrigation)	No precipitation	No precipitation	No precipitation

Source description	Material type	N (lbs/acre)	P (lbs/acre)	K (lbs/acre)	Salt (lbs/acre)	Amount
WWS	Process wastewater	30.36	7.46	80.90	424.88	180,000.00 *gal*
Application event totals		30.36	7.46	80.90	424.88	

Application date	Application method	Precipitation 24 hours prior	Precipitation during application	Precipitation 24 hours following
01/16/2023	Surface (irrigation)	No precipitation	No precipitation	No precipitation

Source description	Material type	N (lbs/acre)	P (lbs/acre)	K (lbs/acre)	Salt (lbs/acre)	Amount
WWS	Process wastewater	36.05	6.02	96.85	618.01	240,000.00 *gal*
Application event totals		36.05	6.02	96.85	618.01	

Application date	Application method	Precipitation 24 hours prior	Precipitation during application	Precipitation 24 hours following
02/20/2023	Surface (irrigation)	No precipitation	No precipitation	No precipitation

Source description	Material type	N (lbs/acre)	P (lbs/acre)	K (lbs/acre)	Salt (lbs/acre)	Amount
WWS	Process wastewater	27.04	4.52	72.64	463.51	180,000.00 *gal*
Application event totals		27.04	4.52	72.64	463.51	

Application date	Application method	Precipitation 24 hours prior	Precipitation during application	Precipitation 24 hours following
03/31/2023	Surface (irrigation)	No precipitation	No precipitation	No precipitation

Source description	Material type	N (lbs/acre)	P (lbs/acre)	K (lbs/acre)	Salt (lbs/acre)	Amount
WWS	Process wastewater	45.06	7.53	121.06	772.51	300,000.00 *gal*
Canal	Surface water	0.00	0.00	0.00	26.81	1,729,784.00 *gal*
Application event totals		45.06	7.53	121.06	799.32	

F6 - 05/16/2023: Corn, silage

Field name: F6

Crop: Corn, silage

Plant date: 05/16/2023

Application date	Application method	Precipitation 24 hours prior	Precipitation during application	Precipitation 24 hours following

F6 - 05/16/2023: Corn, silage

Application date	Application method	Precipitation 24 hours prior	Precipitation during application	Precipitation 24 hours following
05/06/2023	Surface (irrigation)	No precipitation	No precipitation	No precipitation

Source description	Material type	N (lbs/acre)	P (lbs/acre)	K (lbs/acre)	Salt (lbs/acre)	Amount
WWS	Process wastewater	27.04	4.52	72.64	463.51	180,000.00 *gal*
Canal	Surface water	0.00	0.00	0.00	28.24	1,822,500.00 *gal*
Application event totals		27.04	4.52	72.64	491.75	

Application date	Application method	Precipitation 24 hours prior	Precipitation during application	Precipitation 24 hours following
06/11/2023	Pipeline	No precipitation	No precipitation	No precipitation

Source description	Material type	N (lbs/acre)	P (lbs/acre)	K (lbs/acre)	Salt (lbs/acre)	Amount
WWS	Process wastewater	36.05	6.02	96.85	618.01	240,000.00 *gal*
Canal	Surface water	0.00	0.00	0.00	28.24	1,822,500.00 *gal*
Application event totals		36.05	6.02	96.85	646.25	

Application date	Application method	Precipitation 24 hours prior	Precipitation during application	Precipitation 24 hours following
06/24/2023	Surface (irrigation)	No precipitation	No precipitation	No precipitation

Source description	Material type	N (lbs/acre)	P (lbs/acre)	K (lbs/acre)	Salt (lbs/acre)	Amount
WWS	Process wastewater	49.57	8.28	133.17	849.76	330,000.00 *gal*
Canal	Surface water	0.00	0.00	0.00	25.11	1,620,000.00 *gal*
Application event totals		49.57	8.28	133.17	874.87	

Application date	Application method	Precipitation 24 hours prior	Precipitation during application	Precipitation 24 hours following
07/05/2023	Surface (irrigation)	No precipitation	No precipitation	No precipitation

Source description	Material type	N (lbs/acre)	P (lbs/acre)	K (lbs/acre)	Salt (lbs/acre)	Amount
Canal	Surface water	0.00	0.00	0.00	25.11	1,620,000.00 *gal*
Application event totals		0.00	0.00	0.00	25.11	

Application date	Application method	Precipitation 24 hours prior	Precipitation during application	Precipitation 24 hours following
07/17/2023	Surface (irrigation)	No precipitation	No precipitation	No precipitation

Source description	Material type	N (lbs/acre)	P (lbs/acre)	K (lbs/acre)	Salt (lbs/acre)	Amount
WWS	Process wastewater	36.05	3.99	71.99	873.36	180,000.00 *gal*
Canal	Surface water	0.00	0.00	0.00	21.97	1,417,500.00 *gal*
Application event totals		36.05	3.99	71.99	895.33	

F6 - 05/16/2023: Corn, silage

Application date	Application method	Precipitation 24 hours prior	Precipitation during application	Precipitation 24 hours following
07/28/2023	Surface (irrigation)	No precipitation	No precipitation	No precipitation

Source description	Material type	N (lbs/acre)	P (lbs/acre)	K (lbs/acre)	Salt (lbs/acre)	Amount
WWS	Process wastewater	33.05	3.66	65.99	800.58	165,000.00 *gal*
Canal	Surface water	0.00	0.00	0.00	21.97	1,417,500.00 *gal*
Application event totals		33.05	3.66	65.99	822.55	

Application date	Application method	Precipitation 24 hours prior	Precipitation during application	Precipitation 24 hours following
08/08/2023	Surface (irrigation)	No precipitation	No precipitation	No precipitation

Source description	Material type	N (lbs/acre)	P (lbs/acre)	K (lbs/acre)	Salt (lbs/acre)	Amount
WWS	Process wastewater	51.07	5.65	101.99	1,237.27	255,000.00 *gal*
Canal	Surface water	0.00	0.00	0.00	28.13	1,815,000.00 *gal*
Application event totals		51.07	5.65	101.99	1,265.39	

Application date	Application method	Precipitation 24 hours prior	Precipitation during application	Precipitation 24 hours following
08/17/2023	Surface (irrigation)	No precipitation	No precipitation	No precipitation

Source description	Material type	N (lbs/acre)	P (lbs/acre)	K (lbs/acre)	Salt (lbs/acre)	Amount
WWS	Process wastewater	60.08	6.65	119.99	1,455.61	300,000.00 *gal*
Canal	Surface water	0.00	0.00	0.00	28.13	1,815,000.00 *gal*
Application event totals		60.08	6.65	119.99	1,483.74	

F7 - 11/01/2022: Oats, silage-soft dough

Field name: F7

Crop: Oats, silage-soft dough

Plant date: 11/01/2022

Application date	Application method	Precipitation 24 hours prior	Precipitation during application	Precipitation 24 hours following
09/30/2022	Broadcast/incorporate	No precipitation	No precipitation	No precipitation

Source description	Material type	N (lbs/acre)	P (lbs/acre)	K (lbs/acre)	Salt (lbs/acre)	Amount
Solid Manure	Separator solids	102.96	14.04	62.01	1,404.00	897.00 *ton*
Application event totals		102.96	14.04	62.01	1,404.00	

F7 - 11/01/2022: Oats, silage-soft dough

Application date	Application method	Precipitation 24 hours prior	Precipitation during application	Precipitation 24 hours following
10/07/2022	Surface (irrigation)	No precipitation	No precipitation	No precipitation

Source description	Material type	N (lbs/acre)	P (lbs/acre)	K (lbs/acre)	Salt (lbs/acre)	Amount
WWS	Process wastewater	41.07	10.09	109.43	574.72	1,200,000.00 *gal*
Canal	Surface water	0.00	0.00	0.00	33.44	10,634,625.00 *gal*
Application event totals		41.07	10.09	109.43	608.16	

04/11/2023	Surface (irrigation)	No precipitation	No precipitation	No precipitation

Source description	Material type	N (lbs/acre)	P (lbs/acre)	K (lbs/acre)	Salt (lbs/acre)	Amount
WWS	Process wastewater	30.17	5.04	81.06	517.24	990,000.00 *gal*
Canal	Surface water	0.00	0.00	0.00	27.38	8,707,500.00 *gal*
Application event totals		30.17	5.04	81.06	544.63	

F7 - 06/05/2023: Corn, silage

Field name: F7

Crop: Corn, silage

Plant date: 06/05/2023

Application date	Application method	Precipitation 24 hours prior	Precipitation during application	Precipitation 24 hours following
05/10/2023	Broadcast/incorporate	No precipitation	No precipitation	No precipitation

Source description	Material type	N (lbs/acre)	P (lbs/acre)	K (lbs/acre)	Salt (lbs/acre)	Amount
Solid Manure	Separator solids	95.71	12.71	29.65	2,193.73	759.00 *ton*
Application event totals		95.71	12.71	29.65	2,193.73	

05/21/2023	Surface (irrigation)	No precipitation	No precipitation	No precipitation

Source description	Material type	N (lbs/acre)	P (lbs/acre)	K (lbs/acre)	Salt (lbs/acre)	Amount
WWS	Process wastewater	26.06	4.35	70.01	446.71	855,000.00 *gal*
Canal	Surface water	0.00	0.00	0.00	40.75	12,960,000.00 *gal*
Application event totals		26.06	4.35	70.01	487.46	

F7 - 06/05/2023: Corn, silage

Application date	Application method	Precipitation 24 hours prior	Precipitation during application	Precipitation 24 hours following
07/03/2023	Surface (irrigation)	No precipitation	No precipitation	No precipitation

Source description	Material type	N (lbs/acre)	P (lbs/acre)	K (lbs/acre)	Salt (lbs/acre)	Amount
WWS	Process wastewater	19.51	2.16	38.95	472.54	480,000.00 *gal*
Canal	Surface water	0.00	0.00	0.00	30.23	9,614,000.00 *gal*
Application event totals		19.51	2.16	38.95	502.78	

Application date	Application method	Precipitation 24 hours prior	Precipitation during application	Precipitation 24 hours following
07/17/2023	Surface (irrigation)	No precipitation	No precipitation	No precipitation

Source description	Material type	N (lbs/acre)	P (lbs/acre)	K (lbs/acre)	Salt (lbs/acre)	Amount
WWS	Process wastewater	22.55	2.50	45.04	546.38	555,000.00 *gal*
Canal	Surface water	0.00	0.00	0.00	26.07	8,290,000.00 *gal*
Application event totals		22.55	2.50	45.04	572.45	

Application date	Application method	Precipitation 24 hours prior	Precipitation during application	Precipitation 24 hours following
07/29/2023	Surface (irrigation)	No precipitation	No precipitation	No precipitation

Source description	Material type	N (lbs/acre)	P (lbs/acre)	K (lbs/acre)	Salt (lbs/acre)	Amount
WWS	Process wastewater	27.43	3.04	54.78	664.52	675,000.00 *gal*
Canal	Surface water	0.00	0.00	0.00	25.43	8,087,500.00 *gal*
Application event totals		27.43	3.04	54.78	689.95	

Application date	Application method	Precipitation 24 hours prior	Precipitation during application	Precipitation 24 hours following
08/10/2023	Surface (irrigation)	No precipitation	No precipitation	No precipitation

Source description	Material type	N (lbs/acre)	P (lbs/acre)	K (lbs/acre)	Salt (lbs/acre)	Amount
WWS	Process wastewater	15.85	1.75	31.65	383.94	390,000.00 *gal*
Canal	Surface water	0.00	0.00	0.00	22.25	7,075,000.00 *gal*
Application event totals		15.85	1.75	31.65	406.19	

Application date	Application method	Precipitation 24 hours prior	Precipitation during application	Precipitation 24 hours following
08/18/2023	Surface (irrigation)	No precipitation	No precipitation	No precipitation

Source description	Material type	N (lbs/acre)	P (lbs/acre)	K (lbs/acre)	Salt (lbs/acre)	Amount
WWS	Process wastewater	26.82	2.97	53.56	649.75	660,000.00 *gal*
Canal	Surface water	0.00	0.00	0.00	22.25	7,075,000.00 *gal*
Application event totals		26.82	2.97	53.56	672.00	

F7 - 06/05/2023: Corn, silage

Application date	Application method	Precipitation 24 hours prior	Precipitation during application	Precipitation 24 hours following
08/28/2023	Surface (irrigation)	No precipitation	No precipitation	No precipitation

Source description	Material type	N (lbs/acre)	P (lbs/acre)	K (lbs/acre)	Salt (lbs/acre)	Amount
WWS	Process wastewater	29.26	3.24	58.43	708.82	720,000.00 *gal*
Canal	Surface water	0.00	0.00	0.00	15.92	5,062,500.00 *gal*
Application event totals		29.26	3.24	58.43	724.74	

Application date	Application method	Precipitation 24 hours prior	Precipitation during application	Precipitation 24 hours following
09/09/2023	Surface (irrigation)	No precipitation	No precipitation	No precipitation

Source description	Material type	N (lbs/acre)	P (lbs/acre)	K (lbs/acre)	Salt (lbs/acre)	Amount
WWS	Process wastewater	19.51	2.16	38.95	472.54	480,000.00 *gal*
Canal	Surface water	0.00	0.00	0.00	15.88	5,050,000.00 *gal*
Application event totals		19.51	2.16	38.95	488.42	

B. NUTRIENT BUDGET

F2 - 10/22/2022: Oats, silage-soft dough

Field name: F2 Crop: Oats, silage-soft dough Plant date: 10/22/2022

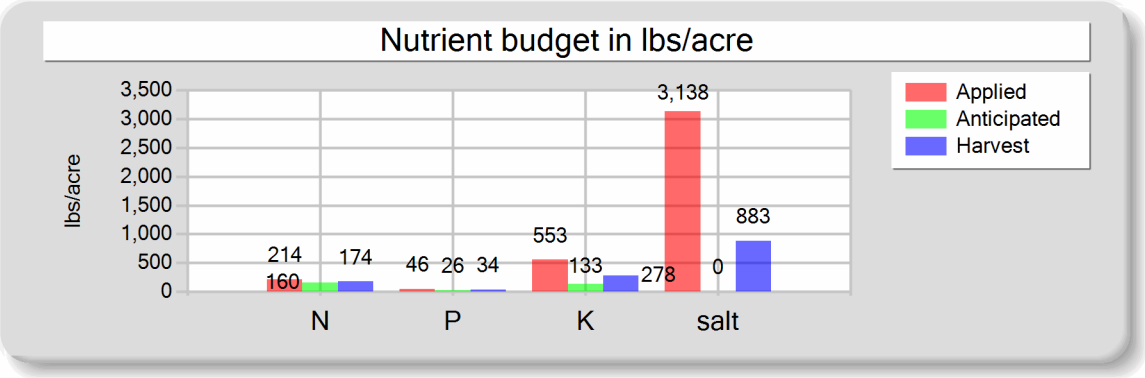

	Total N (lbs/acre)	Total P (lbs/acre)	Total K (lbs/acre)	Total salt (lbs/acre)
Existing soil nutrient content	0.00	0.00	0.00	0.00
Plowdown credit	0.00	0.00	0.00	0.00
Commercial fertilizer / Other	0.00	0.00	0.00	0.00
Dry manure	0.00	0.00	0.00	0.00
Process wastewater	207.04	45.71	553.07	3,102.91
Fresh water	0.00	0.00	0.00	34.98
Atmospheric deposition	7.00	0.00	0.00	0.00
Total nutrients applied	214.04	45.71	553.07	3,137.89
Anticipated crop nutrient removal	160.00	25.60	132.80	0.00
Actual crop nutrient removal	173.86	33.92	277.76	882.66
Nutrient balance	40.18	11.79	275.31	2,255.23
Applied to removed ratio	1.23	1.35	1.99	3.56

Fresh water applied	
2,257,150.00	*gallons*
83.12	*acre-inches*
5.94	*inches/acre*

Process wastewater applied	
1,275,000.00	*gallons*
46.95	*acre-inches*
3.35	*inches/acre*

Total harvests for the crop	
1	*harvests*

F2 - 05/16/2023: Corn, silage

Field name: F2 Crop: Corn, silage Plant date: 05/16/2023

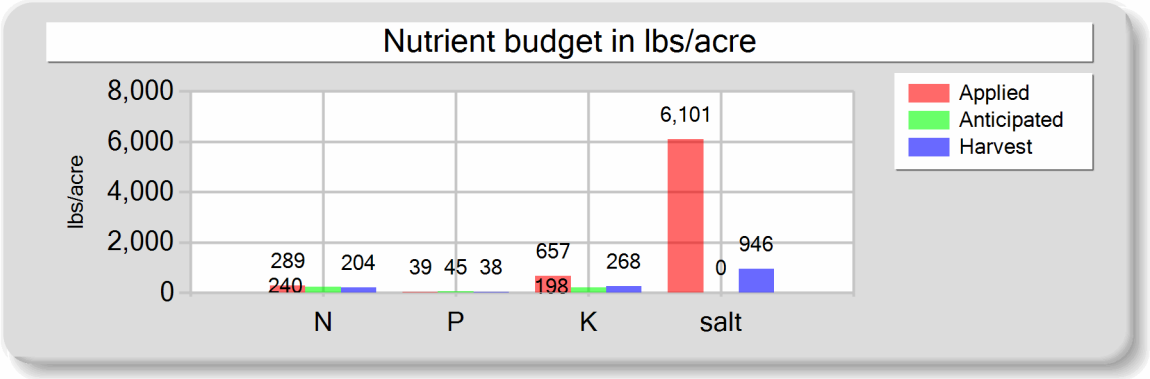

	Total N (lbs/acre)	Total P (lbs/acre)	Total K (lbs/acre)	Total salt (lbs/acre)
Existing soil nutrient content	0.00	0.00	0.00	0.00
Plowdown credit	0.00	0.00	0.00	0.00
Commercial fertilizer / Other	0.00	0.00	0.00	0.00
Dry manure	0.00	0.00	0.00	0.00
Process wastewater	282.39	38.88	657.16	5,883.76
Fresh water	0.00	0.00	0.00	217.51
Atmospheric deposition	7.00	0.00	0.00	0.00
Total nutrients applied	289.39	38.88	657.16	6,101.27
Anticipated crop nutrient removal	240.00	45.00	198.00	0.00
Actual crop nutrient removal	203.97	38.24	267.71	946.23
Nutrient balance	85.43	0.64	389.45	5,155.04
Applied to removed ratio	1.42	1.02	2.45	6.45

Fresh water applied	
14,035,000.00	*gallons*
516.86	*acre-inches*
36.92	*inches/acre*

Process wastewater applied	
1,635,000.00	*gallons*
60.21	*acre-inches*
4.30	*inches/acre*

Total harvests for the crop	
1	*harvests*

F3 - 10/23/2022: Oats, silage-soft dough

Field name: F3 Crop: Oats, silage-soft dough Plant date: 10/23/2022

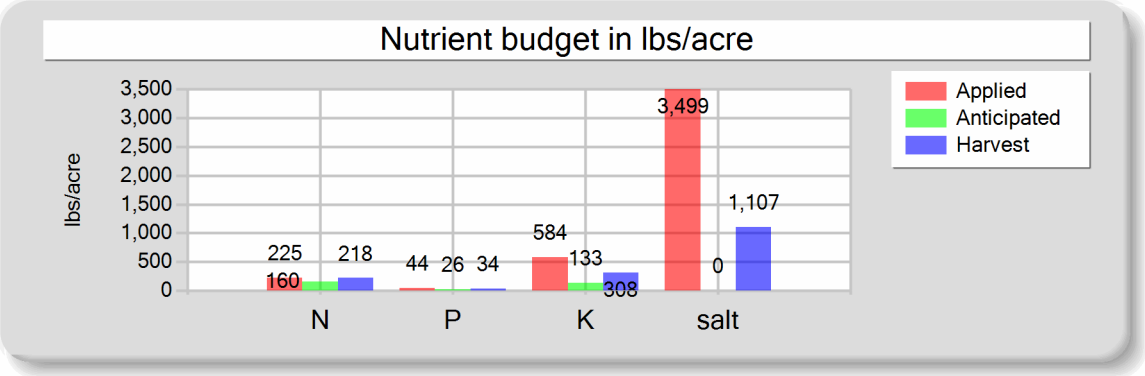

	Total N (lbs/acre)	Total P (lbs/acre)	Total K (lbs/acre)	Total salt (lbs/acre)
Existing soil nutrient content	0.00	0.00	0.00	0.00
Plowdown credit	0.00	0.00	0.00	0.00
Commercial fertilizer / Other	0.00	0.00	0.00	0.00
Dry manure	0.00	0.00	0.00	0.00
Process wastewater	218.33	44.07	584.40	3,437.98
Fresh water	0.00	0.00	0.00	61.23
Atmospheric deposition	7.00	0.00	0.00	0.00
Total nutrients applied	225.33	44.07	584.40	3,499.21
Anticipated crop nutrient removal	160.00	25.60	132.80	0.00
Actual crop nutrient removal	218.16	33.85	308.43	1,107.33
Nutrient balance	7.17	10.22	275.97	2,391.88
Applied to removed ratio	1.03	1.30	1.89	3.16

Fresh water applied	
11,570,610.00	*gallons*
426.11	*acre-inches*
10.39	*inches/acre*

Process wastewater applied	
4,050,000.00	*gallons*
149.15	*acre-inches*
3.64	*inches/acre*

Total harvests for the crop	
1	*harvests*

F3 - 06/05/2023: Corn, silage

Field name: F3 Crop: Corn, silage Plant date: 06/05/2023

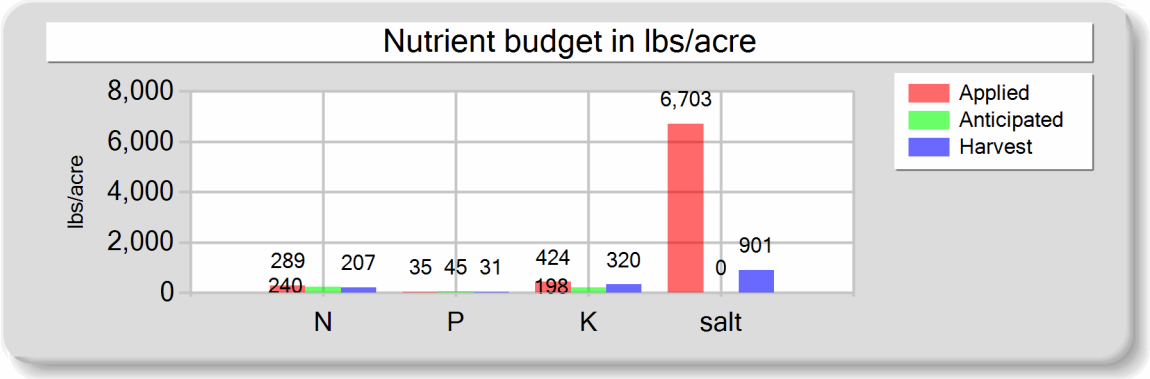

	Total N (lbs/acre)	Total P (lbs/acre)	Total K (lbs/acre)	Total salt (lbs/acre)
Existing soil nutrient content	0.00	0.00	0.00	0.00
Plowdown credit	0.00	0.00	0.00	0.00
Commercial fertilizer / Other	0.00	0.00	0.00	0.00
Dry manure	95.71	12.71	29.65	2,193.73
Process wastewater	186.70	22.40	394.06	4,305.04
Fresh water	0.00	0.00	0.00	204.48
Atmospheric deposition	7.00	0.00	0.00	0.00
Total nutrients applied	289.41	35.11	423.71	6,703.25
Anticipated crop nutrient removal	240.00	45.00	198.00	0.00
Actual crop nutrient removal	206.73	31.01	320.43	901.43
Nutrient balance	82.69	4.10	103.28	5,801.83
Applied to removed ratio	1.40	1.13	1.32	7.44

Fresh water applied	
38,640,000.00	*gallons*
1,422.98	*acre-inches*
34.71	*inches/acre*

Process wastewater applied	
2,880,000.00	*gallons*
106.06	*acre-inches*
2.59	*inches/acre*

Total harvests for the crop	
1	*harvests*

F5 - 10/23/2022: Oats, silage-soft dough

Field name: F5 Crop: Oats, silage-soft dough Plant date: 10/23/2022

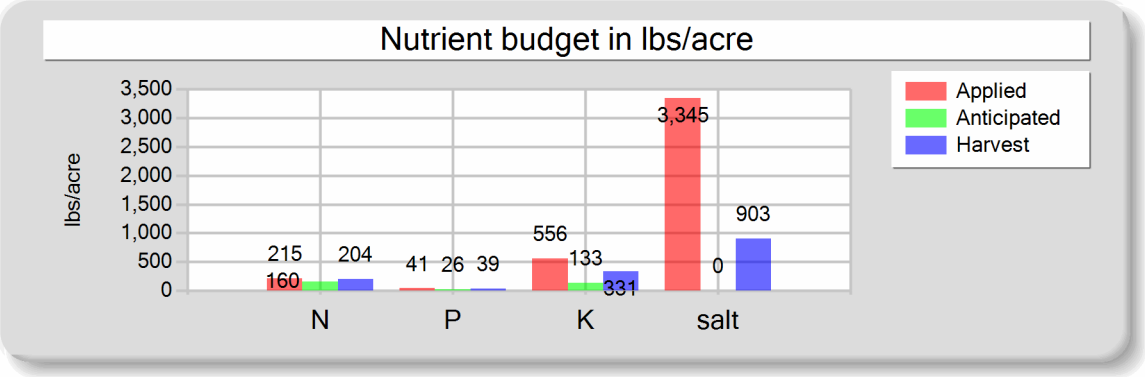

	Total N (lbs/acre)	Total P (lbs/acre)	Total K (lbs/acre)	Total salt (lbs/acre)
Existing soil nutrient content	0.00	0.00	0.00	0.00
Plowdown credit	0.00	0.00	0.00	0.00
Commercial fertilizer / Other	0.00	0.00	0.00	0.00
Dry manure	0.00	0.00	0.00	0.00
Process wastewater	207.75	40.94	556.36	3,311.35
Fresh water	0.00	0.00	0.00	34.10
Atmospheric deposition	7.00	0.00	0.00	0.00
Total nutrients applied	214.75	40.94	556.36	3,345.45
Anticipated crop nutrient removal	160.00	25.60	132.80	0.00
Actual crop nutrient removal	204.07	38.55	331.05	903.36
Nutrient balance	10.68	2.40	225.32	2,442.09
Applied to removed ratio	1.05	1.06	1.68	3.70

Fresh water applied	
4,557,205.00	*gallons*
167.83	*acre-inches*
5.79	*inches/acre*

Process wastewater applied	
2,745,000.00	*gallons*
101.09	*acre-inches*
3.49	*inches/acre*

Total harvests for the crop	
1	*harvests*

F5 - 05/16/2023: Corn, silage

Field name: F5 Crop: Corn, silage Plant date: 05/16/2023

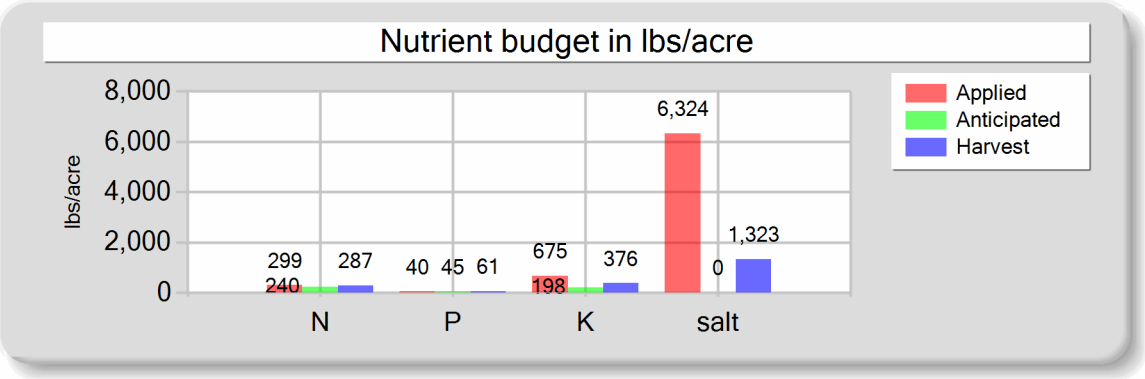

	Total N (lbs/acre)	Total P (lbs/acre)	Total K (lbs/acre)	Total salt (lbs/acre)
Existing soil nutrient content	0.00	0.00	0.00	0.00
Plowdown credit	0.00	0.00	0.00	0.00
Commercial fertilizer / Other	0.00	0.00	0.00	0.00
Dry manure	0.00	0.00	0.00	0.00
Process wastewater	291.51	39.87	675.15	6,106.81
Fresh water	0.00	0.00	0.00	217.12
Atmospheric deposition	7.00	0.00	0.00	0.00
Total nutrients applied	298.51	39.87	675.15	6,323.93
Anticipated crop nutrient removal	240.00	45.00	198.00	0.00
Actual crop nutrient removal	286.89	61.48	375.69	1,322.86
Nutrient balance	11.62	-21.60	299.46	5,001.07
Applied to removed ratio	1.04	0.65	1.80	4.78

Fresh water applied	
29,020,000.00	*gallons*
1,068.71	*acre-inches*
36.85	*inches/acre*

Process wastewater applied	
3,480,000.00	*gallons*
128.16	*acre-inches*
4.42	*inches/acre*

Total harvests for the crop	
1	*harvests*

F6 - 10/23/2022: Oats, silage-soft dough

Field name: F6 Crop: Oats, silage-soft dough Plant date: 10/23/2022

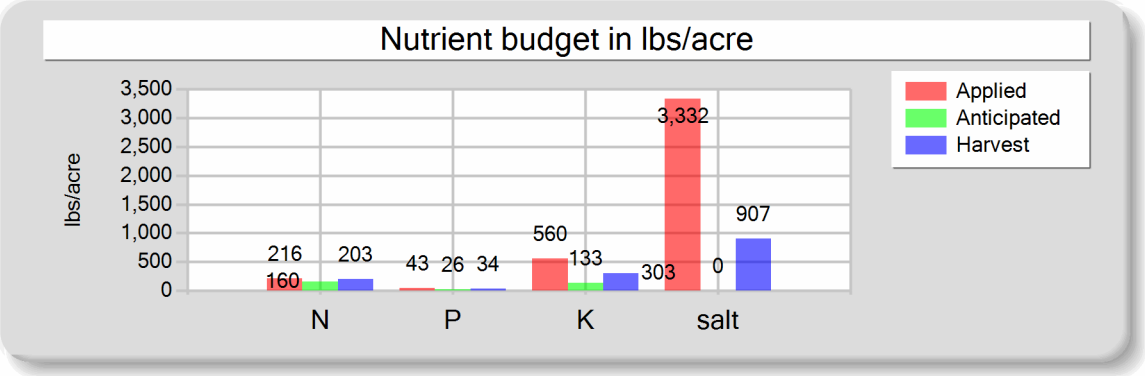

	Total N (lbs/acre)	Total P (lbs/acre)	Total K (lbs/acre)	Total salt (lbs/acre)
Existing soil nutrient content	0.00	0.00	0.00	0.00
Plowdown credit	0.00	0.00	0.00	0.00
Commercial fertilizer / Other	0.00	0.00	0.00	0.00
Dry manure	0.00	0.00	0.00	0.00
Process wastewater	209.36	42.92	560.21	3,270.29
Fresh water	0.00	0.00	0.00	61.69
Atmospheric deposition	7.00	0.00	0.00	0.00
Total nutrients applied	216.36	42.92	560.21	3,331.97
Anticipated crop nutrient removal	160.00	25.60	132.80	0.00
Actual crop nutrient removal	203.36	33.89	303.04	906.58
Nutrient balance	13.01	9.03	257.17	2,425.39
Applied to removed ratio	1.06	1.27	1.85	3.68

Fresh water applied	
3,980,354.00	*gallons*
146.58	*acre-inches*
10.47	*inches/acre*

Process wastewater applied	
1,320,000.00	*gallons*
48.61	*acre-inches*
3.47	*inches/acre*

Total harvests for the crop	
1	*harvests*

F6 - 05/16/2023: Corn, silage

Field name: F6 Crop: Corn, silage Plant date: 05/16/2023

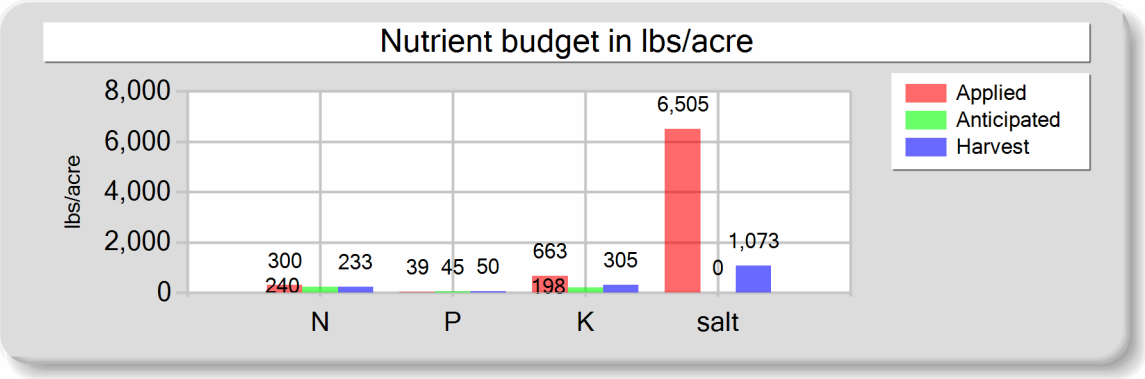

	Total N (lbs/acre)	Total P (lbs/acre)	Total K (lbs/acre)	Total salt (lbs/acre)
Existing soil nutrient content	0.00	0.00	0.00	0.00
Plowdown credit	0.00	0.00	0.00	0.00
Commercial fertilizer / Other	0.00	0.00	0.00	0.00
Dry manure	0.00	0.00	0.00	0.00
Process wastewater	292.91	38.78	662.62	6,298.09
Fresh water	0.00	0.00	0.00	206.90
Atmospheric deposition	7.00	0.00	0.00	0.00
Total nutrients applied	299.91	38.78	662.62	6,504.99
Anticipated crop nutrient removal	240.00	45.00	198.00	0.00
Actual crop nutrient removal	232.73	49.87	304.76	1,073.11
Nutrient balance	67.18	-11.09	357.86	5,431.88
Applied to removed ratio	1.29	0.78	2.17	6.06

Fresh water applied	
13,350,000.00	*gallons*
491.64	*acre-inches*
35.12	*inches/acre*

Process wastewater applied	
1,650,000.00	*gallons*
60.76	*acre-inches*
4.34	*inches/acre*

Total harvests for the crop	
1	*harvests*

F7 - 11/01/2022: Oats, silage-soft dough

Field name: F7 Crop: Oats, silage-soft dough Plant date: 11/01/2022

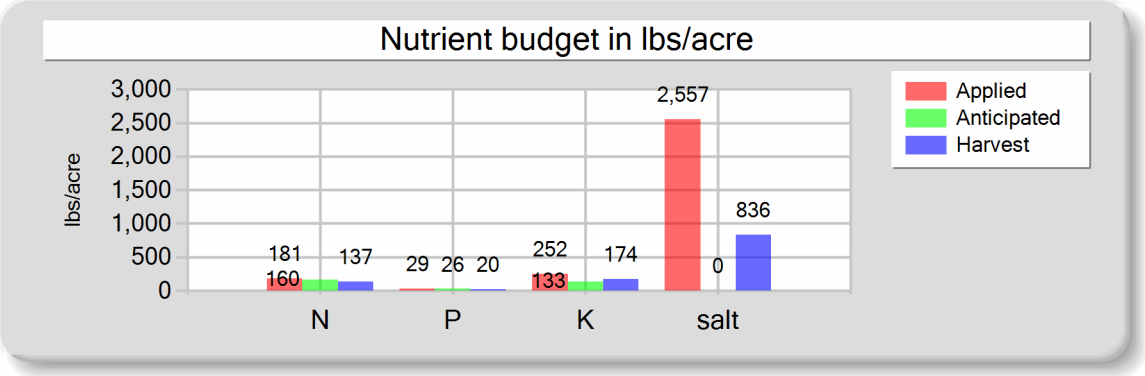

	Total N (lbs/acre)	Total P (lbs/acre)	Total K (lbs/acre)	Total salt (lbs/acre)
Existing soil nutrient content	0.00	0.00	0.00	0.00
Plowdown credit	0.00	0.00	0.00	0.00
Commercial fertilizer / Other	0.00	0.00	0.00	0.00
Dry manure	102.96	14.04	62.01	1,404.00
Process wastewater	71.24	15.13	190.49	1,091.96
Fresh water	0.00	0.00	0.00	60.82
Atmospheric deposition	7.00	0.00	0.00	0.00
Total nutrients applied	181.20	29.17	252.50	2,556.78
Anticipated crop nutrient removal	160.00	25.60	132.80	0.00
Actual crop nutrient removal	136.50	20.22	174.42	835.71
Nutrient balance	44.70	8.94	78.08	1,721.07
Applied to removed ratio	1.33	1.44	1.45	3.06

Fresh water applied	
19,342,125.00	*gallons*
712.30	*acre-inches*
10.32	*inches/acre*

Process wastewater applied	
2,190,000.00	*gallons*
80.65	*acre-inches*
1.17	*inches/acre*

Total harvests for the crop	
1	*harvests*

F7 - 06/05/2023: Corn, silage

Field name: F7 Crop: Corn, silage Plant date: 06/05/2023

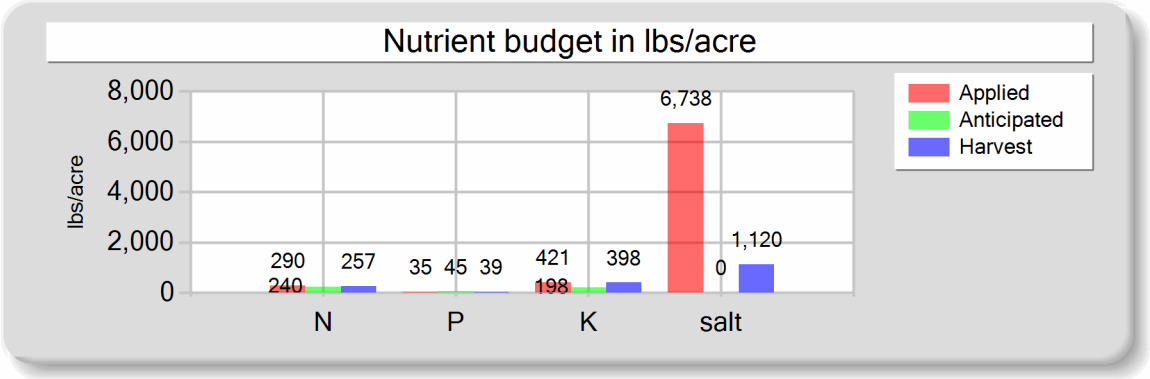

	Total N (lbs/acre)	Total P (lbs/acre)	Total K (lbs/acre)	Total salt (lbs/acre)
Existing soil nutrient content	0.00	0.00	0.00	0.00
Plowdown credit	0.00	0.00	0.00	0.00
Commercial fertilizer / Other	0.00	0.00	0.00	0.00
Dry manure	95.71	12.71	29.65	2,193.73
Process wastewater	186.98	22.17	391.37	4,345.21
Fresh water	0.00	0.00	0.00	198.78
Atmospheric deposition	7.00	0.00	0.00	0.00
Total nutrients applied	289.69	34.87	421.01	6,737.71
Anticipated crop nutrient removal	240.00	45.00	198.00	0.00
Actual crop nutrient removal	256.86	38.53	398.14	1,120.05
Nutrient balance	32.83	-3.65	22.87	5,617.66
Applied to removed ratio	1.13	0.91	1.06	6.02

Fresh water applied	
63,214,000.00	*gallons*
2,327.96	*acre-inches*
33.74	*inches/acre*

Process wastewater applied	
4,815,000.00	*gallons*
177.32	*acre-inches*
2.57	*inches/acre*

Total harvests for the crop	
1	*harvests*

NUTRIENT ANALYSES

A. MANURE ANALYSES

2022 Fall Separated Solids

Sample and source description: 2022 Fall Separated Solids

Sample date: 11/15/2022 Material type: Separator solids Source of analysis: Lab analysis Method of reporting: Dry-weight

Moisture: 77.5 %

	Total N (mg/kg)	Total P (mg/kg)	Total K (mg/kg)	Calcium (mg/kg)	Magnesium (mg/kg)	Sodium (mg/kg)	Sulfur (mg/kg)	Chloride (mg/kg)	Total salt (mg/kg)	TFS (%)
Value	17,600.00	2,400.00	10,600.00	12,500.00	3,900.00	2,400.00	2,800.00	854.00		24.00
DL	100.00	100.00	100.00	100.00	100.00	100.00	100.00	100.00		0.01

Spring Separated Solids

Sample and source description: Spring Separated Solids

Sample date: 05/03/2023 Material type: Separator solids Source of analysis: Lab analysis Method of reporting: Dry-weight

Moisture: 61.5 %

	Total N (mg/kg)	Total P (mg/kg)	Total K (mg/kg)	Calcium (mg/kg)	Magnesium (mg/kg)	Sodium (mg/kg)	Sulfur (mg/kg)	Chloride (mg/kg)	Total salt (mg/kg)	TFS (%)
Value	11,300.00	1,500.00	3,500.00							25.90
DL	100.00	100.00	100.00							0.01

Fall Separated Solids

Sample and source description: Fall Separated Solids

Sample date: 10/23/2023 Material type: Separator solids Source of analysis: Lab analysis Method of reporting: Dry-weight

Moisture: 76.9 %

	Total N (mg/kg)	Total P (mg/kg)	Total K (mg/kg)	Calcium (mg/kg)	Magnesium (mg/kg)	Sodium (mg/kg)	Sulfur (mg/kg)	Chloride (mg/kg)	Total salt (mg/kg)	TFS (%)
Value	17,400.00	2,200.00	5,000.00	10,800.00	3,000.00	2,300.00	2,300.00	749.00		10.60
DL	100.00	100.00	100.00	100.00	100.00	100.00	100.00	100.00		0.01

B. PROCESS WASTEWATER ANALYSES

2022 WWSQ4

Sample and source description: 2022 WWSQ4

Sample date: 12/13/2022 Material type: Process wastewater Source of analysis: Lab analysis pH:

	Kjeldahl-N (mg/L)	NH4-N (mg/L)	NH3-N (mg/L)	Nitrate-N (mg/L)	Total P (mg/L)	Total K (mg/L)	Calcium (mg/L)	Magnes. (mg/L)	Sodium (mg/L)	Bicarb. (mg/L)	Carb. (mg/L)	Sulfate (mg/L)	Chloride (mg/L)	EC (µmhos/cm)	TDS (mg/L)
Value	283.00	154.00	0.00	0.00	69.50	754.00								5,880.00	3,960
DL	0.50	0.50	0.50	0.50	0.50	0.50								1.00	10

WWSQ1

Sample and source description: WWSQ1

Sample date: 03/22/2023 Material type: Process wastewater Source of analysis: Lab analysis pH:

	Kjeldahl-N (mg/L)	NH4-N (mg/L)	NH3-N (mg/L)	Nitrate-N (mg/L)	Total P (mg/L)	Total K (mg/L)	Calcium (mg/L)	Magnes. (mg/L)	Sodium (mg/L)	Bicarb. (mg/L)	Carb. (mg/L)	Sulfate (mg/L)	Chloride (mg/L)	EC (µmhos/cm)	TDS (mg/L)
Value	991.00	473.00	0.00	0.00	121.00	1,270.00								9,720.00	7,020
DL	0.50	0.50	0.50	0.50	0.50	0.50								1.00	10

WWSQ2

Sample and source description: WWSQ2

Sample date: 06/07/2023 Material type: Process wastewater Source of analysis: Lab analysis pH:

	Kjeldahl-N (mg/L)	NH4-N (mg/L)	NH3-N (mg/L)	Nitrate-N (mg/L)	Total P (mg/L)	Total K (mg/L)	Calcium (mg/L)	Magnes. (mg/L)	Sodium (mg/L)	Bicarb. (mg/L)	Carb. (mg/L)	Sulfate (mg/L)	Chloride (mg/L)	EC (µmhos/cm)	TDS (mg/L)
Value	252.00	143.00	0.00	0.00	42.10	677.00								5,610.00	4,320
DL	0.50	0.50	0.50	0.50	0.50	0.50								1.00	10

WWSQ3

Sample and source description: WWSQ3

Sample date: 09/20/2023 Material type: Process wastewater Source of analysis: Lab analysis pH:

	Kjeldahl-N (mg/L)	NH4-N (mg/L)	NH3-N (mg/L)	Nitrate-N (mg/L)	Total P (mg/L)	Total K (mg/L)	Calcium (mg/L)	Magnes. (mg/L)	Sodium (mg/L)	Bicarb. (mg/L)	Carb. (mg/L)	Sulfate (mg/L)	Chloride (mg/L)	EC (µmhos/cm)	TDS (mg/L)
Value	336.00	224.00	0.00	0.00	37.20	671.00	132.00	104.00	355.00	2,520.00	0.00	169.00	142.00	6,220.00	8,140
DL	0.50	0.50	0.50	0.50	0.50	0.50	0.50	0.50	0.50	0.50	0.50	0.50	0.50	1.00	10

WWSQ4

Sample and source description: WWSQ4

Sample date: 12/12/2023 Material type: Process wastewater Source of analysis: Lab analysis pH:

	Kjeldahl-N (mg/L)	NH4-N (mg/L)	NH3-N (mg/L)	Nitrate-N (mg/L)	Total P (mg/L)	Total K (mg/L)	Calcium (mg/L)	Magnes. (mg/L)	Sodium (mg/L)	Bicarb. (mg/L)	Carb. (mg/L)	Sulfate (mg/L)	Chloride (mg/L)	EC (µmhos/cm)	TDS (mg/L)
Value	770.00	473.00	0.00	0.00	62.50	1,020.00								9,730.00	9,540
DL	0.50	0.50	0.50	0.50	0.50	0.50								1.00	10

C. FRESH WATER ANALYSES

Canal

T.I.D Canal

Sample description: T.I.D Canal

Sample date: 07/25/2023 Source of analysis: Lab analysis

	Total N (mg/L)	NH4-N (mg/L)	Nitrate-N (mg/L)	Calcium (mg/L)	Magnesium (mg/L)	Sodium (mg/L)	Bicarbonate (mg/L)	Carbonate (mg/L)	Sulfate (mg/L)	Chloride (mg/L)	EC (µmhos/cm)	TDS (mg/L)
Value	0.00	0.00	0.00								31.10	26
DL	0.50	0.50	0.50								1.00	10

D. SOIL ANALYSES

No soil analyses entered.

E. PLANT TISSUE ANALYSES

F2 - 10/22/2022: Oats, silage-soft dough

F2 - 10/22/2022: Oats, silage-soft dough

Winter Forage

Sample and source description: Winter Forage

Sample date: 04/24/2023 Source of analysis: Lab analysis Method of reporting: As-is

Moisture: 54.8 %

	Total N (mg/kg)	Total P (mg/kg)	Total K (mg/kg)	Total salt (mg/kg)	TFS (%)
Value	8,200.00	1,600.00	13,100.00		9.21
DL	100.00	100.00	100.00		0.01

F2 - 05/16/2023: Corn, silage

Corn Silage

Sample and source description: Corn Silage

Sample date: 09/07/2023 Source of analysis: Lab analysis Method of reporting: As-is

Moisture: 72.2 %

	Total N (mg/kg)	Total P (mg/kg)	Total K (mg/kg)	Total salt (mg/kg)	TFS (%)
Value	3,200.00	600.00	4,200.00		5.34
DL	100.00	100.00	100.00		0.01

F3 - 10/23/2022: Oats, silage-soft dough

Winter Forage

Sample and source description: Winter Forage

Sample date: 05/08/2023 Source of analysis: Lab analysis Method of reporting: As-is

Moisture: 74.4 %

	Total N (mg/kg)	Total P (mg/kg)	Total K (mg/kg)	Total salt (mg/kg)	TFS (%)
Value	5,800.00	900.00	8,200.00		11.50
DL	100.00	100.00	100.00		0.01

F3 - 06/05/2023: Corn, silage

Corn Silage

Sample and source description: Corn Silage

Sample date: 10/02/2023 Source of analysis: Lab analysis Method of reporting: As-is

Moisture: 69.4 %

	Total N (mg/kg)	Total P (mg/kg)	Total K (mg/kg)	Total salt (mg/kg)	TFS (%)
Value	4,000.00	600.00	6,200.00		5.70
DL	100.00	100.00	100.00		0.01

F5 - 10/23/2022: Oats, silage-soft dough

Winter Forage

Sample and source description: Winter Forage

Sample date: 04/24/2023 Source of analysis: Lab analysis Method of reporting: As-is

Moisture: 58.8 %

	Total N (mg/kg)	Total P (mg/kg)	Total K (mg/kg)	Total salt (mg/kg)	TFS (%)
Value	9,000.00	1,700.00	14,600.00		9.67
DL	100.00	100.00	100.00		0.01

Winter Forage

Sample and source description: Winter Forage

Sample date: 04/24/2023 Source of analysis: Lab analysis Method of reporting: As-is

Moisture: 57.6 %

	Total N (mg/kg)	Total P (mg/kg)	Total K (mg/kg)	Total salt (mg/kg)	TFS (%)
Value	8,300.00	1,600.00	14,200.00		10.10
DL	100.00	100.00	100.00		0.01

F5 - 05/16/2023: Corn, silage

F5 - 05/16/2023: Corn, silage

Corn Silage

Sample and source description: Corn Silage

Sample date: 09/07/2023 Source of analysis: Lab analysis Method of reporting: As-is

Moisture: 68.2 %

	Total N (mg/kg)	Total P (mg/kg)	Total K (mg/kg)	Total salt (mg/kg)	TFS (%)
Value	4,200.00	900.00	5,500.00		6.09
DL	100.00	100.00	100.00		0.01

F6 - 10/23/2022: Oats, silage-soft dough

Winter Forage

Sample and source description: Winter Forage

Sample date: 04/24/2023 Source of analysis: Lab analysis Method of reporting: As-is

Moisture: 59.4 %

	Total N (mg/kg)	Total P (mg/kg)	Total K (mg/kg)	Total salt (mg/kg)	TFS (%)
Value	10,200.00	1,700.00	15,200.00		11.20
DL	100.00	100.00	100.00		0.01

F6 - 05/16/2023: Corn, silage

Corn Silage

Sample and source description: Corn Silage

Sample date: 09/07/2023 Source of analysis: Lab analysis Method of reporting: As-is

Moisture: 69.6 %

	Total N (mg/kg)	Total P (mg/kg)	Total K (mg/kg)	Total salt (mg/kg)	TFS (%)
Value	3,200.00	700.00	4,400.00		6.02
DL	100.00	100.00	100.00		0.01

F7 - 11/01/2022: Oats, silage-soft dough

Winter Forage

Sample and source description: Winter Forage

Sample date: 05/08/2023 Source of analysis: Lab analysis Method of reporting: As-is

Moisture: 62.0 %

	Total N (mg/kg)	Total P (mg/kg)	Total K (mg/kg)	Total salt (mg/kg)	TFS (%)
Value	5,400.00	800.00	6,900.00		8.70
DL	100.00	100.00	100.00		0.01

F7 - 06/05/2023: Corn, silage

Corn Silage

Sample and source description: Corn Silage

Sample date: 10/02/2023 Source of analysis: Lab analysis Method of reporting: As-is

Moisture: 72.6 %

	Total N (mg/kg)	Total P (mg/kg)	Total K (mg/kg)	Total salt (mg/kg)	TFS (%)
Value	3,200.00	500.00	4,000.00		5.60
DL	100.00	100.00	100.00		0.01

F. SUBSURFACE (TILE) DRAINAGE ANALYSES

No subsurface (tile) drainage analyses entered.

NUTRIENT APPLICATIONS, POTENTIAL REMOVAL, AND BALANCE

A. SUMMARY OF NUTRIENT APPLICATIONS, POTENTIAL REMOVAL, AND BALANCE

	Total N (lbs)	Total P (lbs)	Total K (lbs)	Total salt (lbs)
Existing soil nutrient content	0.00	0.00	0.00	0.00
Plowdown credit	0.00	0.00	0.00	0.00
Commercial fertilizer / Other	0.00	0.00	0.00	0.00
Dry manure	17,632.45	2,366.31	7,539.64	338,186.30
Process wastewater	62,786.15	9,970.95	150,041.64	1,225,525.84
Fresh water	0.00	0.00	0.00	43,386.72
Atmospheric deposition	2,338.00	0.00	0.00	0.00
Total nutrients applied	82,756.60	12,337.26	157,581.28	1,607,098.86
Anticipated crop nutrient removal	66,800.00	11,790.20	55,243.60	0.00
Actual crop nutrient removal	70,195.32	11,796.93	101,930.93	335,187.31
Nutrient balance	12,561.28	540.33	55,650.35	1,271,911.54
Applied to removed ratio	1.18	1.05	1.55	4.79

B. POUNDS OF NUTRIENT APPLIED VS. CROP REMOVAL

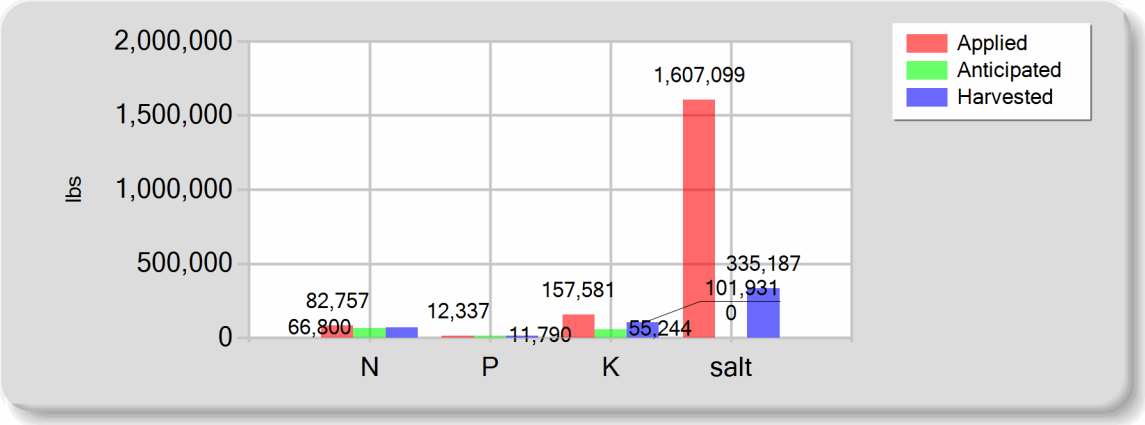

C. POUNDS OF NUTRIENT APPLIED BY MATERIAL TYPE

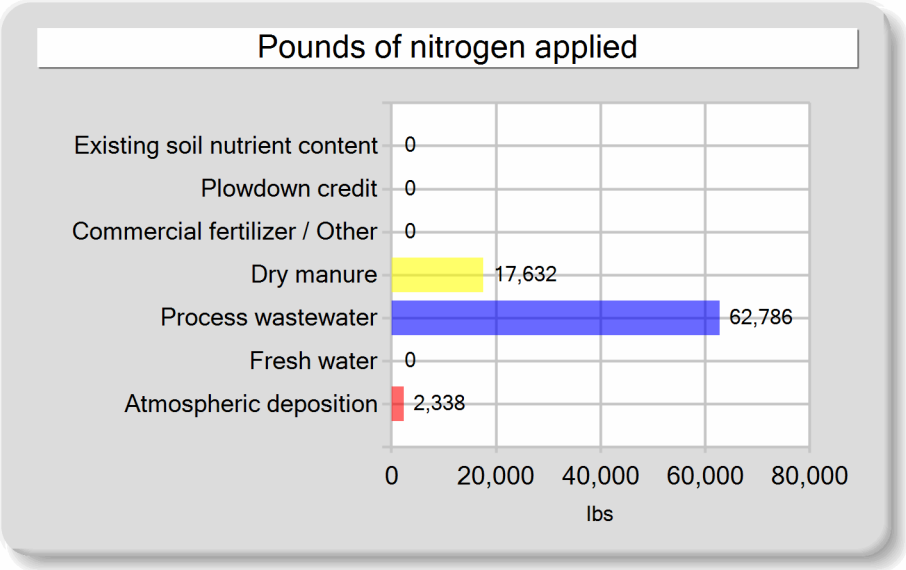

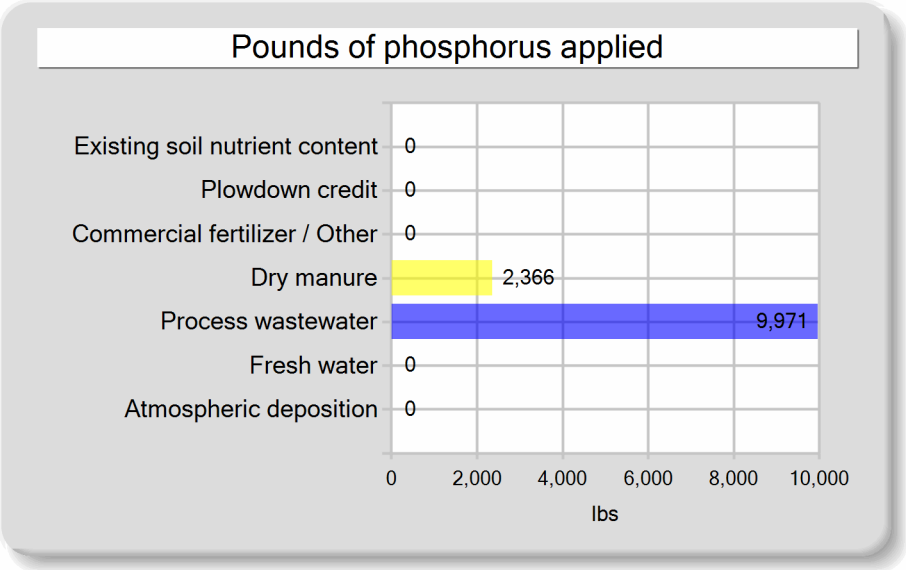

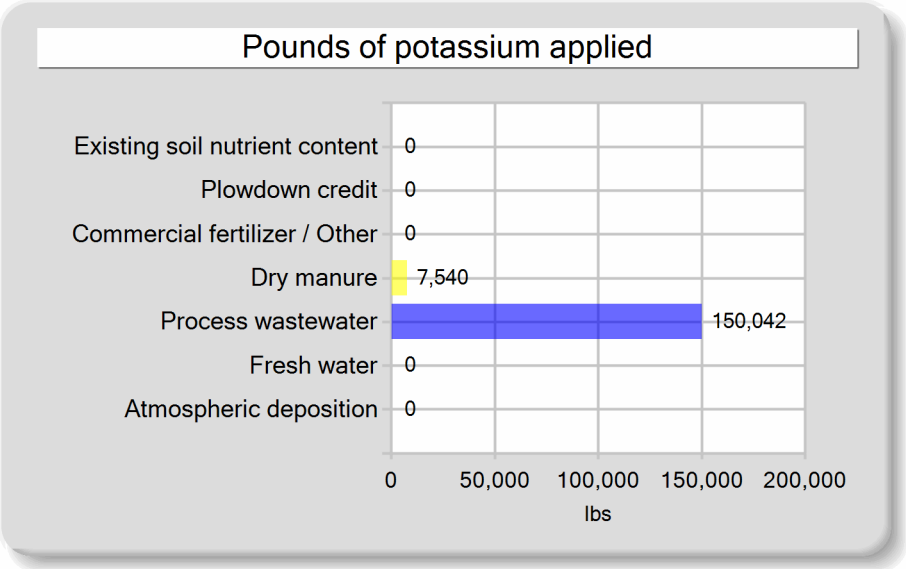

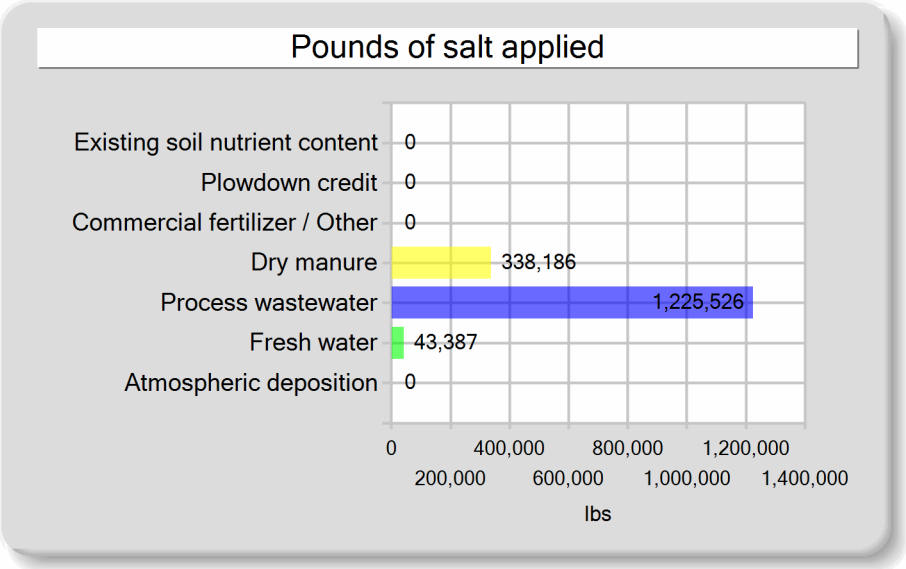

EXCEPTION REPORTING

A. MANURE, PROCESS WASTEWATER, AND OTHER DAIRY WASTE DISCHARGES

The following is a summary of all manure and process wastewater discharges from the production area to surface water or to land areas (land application areas or otherwise) when not in accordance with the facility's Nutrient Management Plan.

No manure or process wastewater discharges occurred during the reporting period.

B. STORM WATER DISCHARGES

The following is a summary of all storm water discharges from the production area to surface water during the reporting period when not in accordance with the facility 's Nutrient Management Plan.

No stormwater discharges occurred during the reporting period.

C. LAND APPLICATION AREA TO SURFACE WATER DISCHARGES

The following is a summary of all discharges from the land application area to surface water that have occurred during the reporting period when not in accordance with the facility's Nutrient Management Plan.

No land application area to surface water discharges occurred during the reporting period.

NUTRIENT MANAGEMENT PLAN AND EXPORT AGREEMENT STATEMENTS

A. NUTRIENT MANAGEMENT PLAN STATEMENTS

Was the facility's NMP updated in the reporting period?	No
Was the facility's NMP developed by a certified nutrient management planner (specialist) as specified in Attachment C of the General Order?	Yes
Was the facility's NMP approved by a certified nutrient management planner (specialist) as specified in Attachment C of the General Order?	Yes

B. EXPORT AGREEMENT STATEMENT

Are there any written agreements with third parties to receive manure or process wastewater that are new or were revised within the reporting period?	No

ADDITIONAL NOTES

A. NOTES

There was no production on F8 in 2023, as this field was planted in almonds.

CERTIFICATION

A. OWNER AND/OR OPERATOR CERTIFICATION

I certify under penalty of law that I have personally examined and am familiar with the information submitted in this document and all attachments and that, based on my inquiry of those individuals immediately responsible for obtaining the information, I believe that the information is true, accurate, and complete. I am aware that there are significant penalties for submitting false information, including the possibility of fine and imprisonment.

Kevin Blount (Jun 8, 2024 07:49 CDT)	Caitlin Wickstrom (Jun 10, 2024 09:45 PDT)
SIGNATURE OF OWNER OF FACILITY	SIGNATURE OF OPERATOR OF FACILITY
Kevin Blount	Pinnacle Dairy LP
PRINT OR TYPE NAME	PRINT OR TYPE NAME
Jun 8, 2024	Jun 10, 2024
DATE	DATE

ATTACHMENTS

A. REQUIRED ATTACHMENTS

The following lists the required documents that should be attached to the Annual Report when submitted .

Annual Dairy Facility Assessment
Provide an Annual Dairy Facility Assessment (an update to the Preliminary Dairy Facility Assessment in Attachment A) for each reporting period. On the PDFA Final page, click on the ADFA Report button to generate an ADFA report after updating information as needed .

Manure/Process Wastewater Tracking Manifests
Provide copies of all manure/process wastewater tracking manifests for the reporting period, signed by both the owner/operator and the hauler.

Corrective Actions Documents
Provide records documenting any corrective actions taken to correct deficiencies noted as a result of the inspections required in the Monitoring Requirements of the General Order. Deficiencies not corrected in 30 days must be accompanied by an explanation of the factors preventing immediate correction.

Groundwater Monitoring
Dischargers that monitor supply wells or subsurface (tile) drainage systems, or that have monitoring well systems must submit monitoring results as directed in the General Order, Groundwater Reporting Section starting on page MRP-13.

Storm Water Monitoring
Dischargers that are required to monitor storm water more frequently than required in the General Order must submit monitoring results as directed in the General Order, Storm Water Reporting Section on page MRP-14.

Denele Analytical, Inc.

865 South Kilroy Avenue Turlock, CA 95380
Phone (209) 634-9055 - Fax (209) 634-9057

40 N. East Street, Woodland, CA 95776
Phone (530) 666-9056 - Fax (530) 666-9058

www.denelelabs.com

Compliance Analysis Report

Customer
Pinnacle Dairy LP
5638 Columbus Ave.
Hilmar, CA 95324

Grower

Consultant:
F & R Ag Services
2857 Geer Rd. Ste A
Turlock, CA 95382

PURCHASE ORDER:
RECEIVED DATE: 10/30/23 2:35 PM
SUBMITTED BY: KJ
ANALYZED DATE: 10/31/23

Irrigation/ Ground Water (H1)
SOURCE: Well Water

NOTES: Temperature was above qualifying at 21.6c

Sample ID	Lab ID	Analyte	Method Ref	Result	Units
DW #1	T3303038A	Electrical Conductivity (EC)	EPA 120.1 and	1.17	mmhos/cm
		Nitrate Nitrogen (NO3-N)	EPA 353.2	3.84	mg/L
		Ammonia Nitrogen (NH3-N)	SM 4500-NH3 D,C	< 0.500	mg/L
		Soluble Salts (SALT-SOL)	Calculation	746	mg/L

Laboratory Quality Control	LCS %	MS %	MSD %	RPD %
Ammonia Nitrogen (NH3-N)	97.8	93.4 (T3303035A)	92.2 (T3303035A)	1.29
Electrical Conductivity (EC)	100			0.888
Nitrate Nitrogen (NO3-N)	101	99.4 (W3303001A)	94.5 (W3303001A)	5.03

The warranty of Denele Analytical is limited to the accuracy of the analyses of the samples as received. Denele Analytical assumes no responsibility for which the customer uses our test results, nor liability for any other warranties, express or implied. These terms and conditions shall supercede any conflicting terms and conditions submitted on customer purchase orders or other forms submitted for work.

ELAP Certificate No.: 2714

Denele Analytical, Inc.

865 South Kilroy Avenue Turlock, CA 95380
Phone (209) 634-9055 - Fax (209) 634-9057

www.denelelabs.com

40 N. East Street, Woodland, CA 95776
Phone (530) 666-9056 - Fax (530) 666-9058

Compliance Analysis Report

Customer
Pinnacle Dairy LP
5638 Columbus Ave.
Hilmar, CA 95324

Grower

Consultant:
F & R Ag Services
2857 Geer Rd. Ste A
Turlock, CA 95382

PURCHASE ORDER:
RECEIVED DATE: 10/30/23 2:35 PM
SUBMITTED BY: KJ
ANALYZED DATE: 10/31/23

Irrigation/ Ground Water (H1)
SOURCE: Well Water

NOTES: Temperature was above qualifying at 21.6c

Sample ID	Lab ID	Analyte	Method Ref	Result	Units
DW #2	T3303038B	Electrical Conductivity (EC)	EPA 120.1 and	1.17	mmhos/cm
		Nitrate Nitrogen (NO3-N)	EPA 353.2	3.87	mg/L
		Ammonia Nitrogen (NH3-N)	SM 4500-NH3 D,C	< 0.500	mg/L
		Soluble Salts (SALT-SOL)	Calculation	746	mg/L

Laboratory Quality Control	LCS %	MS %	MSD %	RPD %
Ammonia Nitrogen (NH3-N)	97.8	93.4 (T3303035A)	92.2 (T3303035A)	1.29
Electrical Conductivity (EC)	100			0.888
Nitrate Nitrogen (NO3-N)	101	99.4 (W3303001A)	94.5 (W3303001A)	5.03

The warranty of Denele Analytical is limited to the accuracy of the analyses of the samples as received. Denele Analytical assumes no responsibility for which the customer uses our test results, nor liability for any other warranties, express or implied. These terms and conditions shall supercede any conflicting terms and conditions submitted on customer purchase orders or other forms submitted for work.

ELAP Certificate No.: 2714

DENELE ANALYTICAL, INC.

865 S. KILROY
TURLOCK, CA 95380

PH# 209-634-9055 FAX# 209-634-9057

DAIRY COMPLIANCE

Client: Pinnacle Dairy
Mailing address:
(not facility address)
Phone#:

Authorized Copy Released To: F & R Ag Services
Sampled By: K.Jones
Project ID:

ANALYSIS TO BE COMPLETED:

IRRIGATION/GROUND WATER
H1 EC*, NO3-N, NH4-N*
H6 EC, TN, TDS
H7 Combination of H1 & H6
H14 EC, NO3-N, NH4-N, Ca, Mg, Na, Bicarb Carb, SO4, Cl, TDS

PROCESS WASTE WATER
H3 EC*, NH4-N, TKN, TP, K, TDS
H4 EC*, NO3-N, NH4-N, TKN, TP, K, TDS
H5 Ca, Mg, Na, Bicarb, Carb, SO4, Cl
H8 Combination of H3 &H5
H9 Combination of H4 &H5

TILE DRAIN
H2 EC*, NO3-N, TP, NH4-N*, TDS

** Required Field Measurement*

___ (Check here if performed)

DISCHARGE WATER
E1 EC*, Temp*, pH*, NO3-N, NH4-N, TKN, TP, K, TDS, Dissolved Oxygen*, BOD 5, TSS, Total & Fecal Coliforms
E2 EC,* Temp*, pH*, NO3-N, NH4-N*, Turbidity, TP, Dissolved Oxygen*, Total & Fecal Coliforms
E3 EC*, Temp*, pH*, NO3-N, NH4-N*, TP, Total & Fecal Coliforms
E4 EC*, Temp*, pH*, NO3-N, NH4-N*, Turbidity, TP, Total & Fecal Coliform

MANURE
M1 % Moisture
M3 TN TP, K, % Moisture
M4 Ca, Mg, Na, Bicarb, Carb, SO4, Cl, Ash
M7 Combination of M3 & M4

PLANT TISSUE
F18 % Moisture, Ash, TN, P, K, DM and as received
F18+ % Moisture, Ash, TN, P, K, DM and as received (Package also includes NIR DCAD)
F19+ % Moisture, TN (Package includes complete plant tissue analysis)

SOIL
K3 Soluble Phosphorus
K4 1ft NO3, Organic Matter
K5 Pre-Plant (2ft NO3), Fall (1-2ft NO3), Fall (2-3ft NO3)
K6 0-1ft EC, NO3, Soluble P, K, Organic Matter
K7 Combination of K3 & K4
K8 Combination of K3 & K5

	Date Collected	Time Collected	Sample ID	Description	Temp	Well Purge	H1	H3	M3	F18	OTHER
							Analysis				
1	10/30	7:00	Domestic Wells	DW #1	21.6		X				
2	↓	7:15	Domestic Wells	DW #2	21.6		X				
3											
4											
5											
6											
7											
8											
9											
10											

CHAIN OF CUSTODY RECORDING

	Signature	Company	Received Date & Time	Relinquished Date & Time	(LABORATORY USE ONLY) Logged In By:	LABORATORY NUMBER
1st		F & R Ag Services				
2nd		DENELE ANALYTICAL, INC.	10/30/23 14:35			T3303038

Required to be submitted to any agency? (YES / NO)

ATTACHMENT D

Manure/Process Wastewater Tracking Manifest
For
Existing Milk Cow Dairies

Instructions:

1) Complete one manifest for each hauling event, for each destination. A hauling event may last for several days, as long as the manure is being hauled to the same destination.
2) If there are multiple destinations, **complete a separate form for each destination**.
3) The operator must obtain the signature of the hauler upon completion of each manure-hauling event.
4) The operator shall submit copies of manure/process wastewater tracking manifest(s) with the Annual Monitoring Report for Existing Milk Cow Dairies.

Operator Information:

Name of Operator: Brent Wickstrom

Name of Dairy Facility: **Pinnacle Dairy**

Facility Address: **724 Ruble Rd. Crowslanding, CA 95313**

Number and Street | City | Zip Code

Contact Person Name and Phone Number: **Brent Wickstrom 209-495-7398**

Manure/Process Wastewater Hauler Information:

Name of Hauling Company/Person:

Address of Hauling Company /Person:

Number and Street | City | Zip Code

Contact Person:

Name | Phone Number

Destination Information:

Composting Facility / Broker / Farmer / Other (identify) (please circle one)

Contact information of Composting Facility, Broker, Farmer, or Other (as identified above):

Joe Mendes 300 Ruble Rd. Crowslanding, CA 95313 (209) 678-2207

Name | Number and Street | City | Zip Code | Phone Number

Manure/Process Wastewater Destination Address or Assessor's Parcel Number:

058-005-006

Number and Street | City | Zip Code | Assessor's Parcel Number

Dates Hauled: 1/29/23

Amount Hauled:

Enter the amount of manure hauled in tons or cubic yards (indicate the units used), the manure solids content (if amount reported in tons) or manure density (if amount reported in cubic yards), and the method used to calculate the amount:

Manure: Tons or Cubic Yards (indicate which units used)

Manure Solids Content (if amount reported in tons):

Manure Density (if amount reported in cubic yards):

Method used to determine amount of manure: _____

_____

Enter the amount of process wastewater hauled in gallons and the method used to determine the amount.

Process Wastewater: 340,000 Gallons

Method used to determine volume of process wastewater: PO

_____

Written Agreement:
Does the Operator have a written agreement (in compliance with Land Application Specification C.2 of Waste Discharge Requirements General Order No. R5-2007-0035) with any party that receives process wastewater from the Operator for its own use? (please check one)

X Yes _____ No

If the answer is no, the Operator agrees to have such a written agreement with any such party for any process wastewater transferred after **31 December 2007** to such party.
_____(Operator shall provide initials here to acknowledge this requirement).

Certification:
I declare under the penalty of law that I personally examined and am familiar with the information submitted in this document, and that based on my inquiry of those individuals immediately responsible for obtaining the information, I believe that the information is true, accurate, and complete. I am aware that there are significant penalties for submitting false information, including the possibility of a fine and imprisonment for knowing violations.

Operator's Signature: Caitlin Wickstrom (Caitlin Wickstrom (Jun 10, 2024 09:45 PDT)) Date: _____

Hauler's Signature: NA Date: _____

ATTACHMENT D

Manure/Process Wastewater Tracking Manifest
For
Existing Milk Cow Dairies

Instructions:

1) Complete one manifest for each hauling event, for each destination. A hauling event may last for several days, as long as the manure is being hauled to the same destination.
2) If there are multiple destinations, **complete a separate form for each destination**.
3) The operator must obtain the signature of the hauler upon completion of each manure-hauling event.
4) The operator shall submit copies of manure/process wastewater tracking manifest(s) with the Annual Monitoring Report for Existing Milk Cow Dairies.

Operator Information:

Name of Operator: BRENT WICKSTROM

Name of Dairy Facility: **Pinnacle Dairy**

Facility Address: **724 Ruble Rd. Crowslanding, CA 95313**

Number and Street City Zip Code

Contact Person Name and Phone Number: **Brent Wickstrom 209-495-7398**

Manure/Process Wastewater Hauler Information:

Name of Hauling Company/Person:

Address of Hauling Company /Person:

Number and Street City Zip Code

Contact Person:

Name Phone Number

Destination Information:

Composting Facility / Broker / Farmer / Other (identify) (please circle one)

Contact information of Composting Facility, Broker, Farmer, or Other (as identified above):

Joe Mendes 300 Ruble Rd. Crowslanding, CA 95313 (209) 678-2207

Name Number and Street City Zip Code Phone Number

Manure/Process Wastewater Destination Address or Assessor's Parcel Number:

058-005-006

Number and Street City Zip Code Assessor's Parcel Number

Dates Hauled: 3/9-3/10

Amount Hauled:

Enter the amount of manure hauled in tons or cubic yards (indicate the units used), the manure solids content (if amount reported in tons) or manure density (if amount reported in cubic yards), and the method used to calculate the amount:

Manure: Tons or Cubic Yards (indicate which units used)

Manure Solids Content (if amount reported in tons):

Manure Density (if amount reported in cubic yards):

Method used to determine amount of manure: _____

_____

Enter the amount of process wastewater hauled in gallons and the method used to determine the amount.

Process Wastewater: 490,000 Gallons

Method used to determine volume of process wastewater: PO

_____

Written Agreement:
Does the Operator have a written agreement (in compliance with Land Application Specification C.2 of Waste Discharge Requirements General Order No. R5-2007-0035) with any party that receives process wastewater from the Operator for its own use? (please check one)

X Yes _____ No

If the answer is no, the Operator agrees to have such a written agreement with any such party for any process wastewater transferred after **31 December 2007** to such party.
_____(Operator shall provide initials here to acknowledge this requirement).

Certification:
I declare under the penalty of law that I personally examined and am familiar with the information submitted in this document, and that based on my inquiry of those individuals immediately responsible for obtaining the information, I believe that the information is true, accurate, and complete. I am aware that there are significant penalties for submitting false information, including the possibility of a fine and imprisonment for knowing violations.

Operator's Signature: Caitlin Wickstrom (Jun 10, 2024 09:45 PDT) Date: _____

Hauler's Signature: N/A Date: _____

ATTACHMENT D

Manure/Process Wastewater Tracking Manifest
For
Existing Milk Cow Dairies

Instructions:

1) Complete one manifest for each hauling event, for each destination. A hauling event may last for several days, as long as the manure is being hauled to the same destination.
2) If there are multiple destinations, **complete a separate form for each destination**.
3) The operator must obtain the signature of the hauler upon completion of each manure-hauling event.
4) The operator shall submit copies of manure/process wastewater tracking manifest(s) with the Annual Monitoring Report for Existing Milk Cow Dairies.

Operator Information:
Name of Operator: Brent Wickstrom

Name of Dairy Facility: **Pinnacle Dairy**

Facility Address: **724 Ruble Rd. Crowslanding, CA 95313**

Number and Street | City | Zip Code

Contact Person Name and Phone Number: **Brent Wickstrom 209-495-7398**

Manure/Process Wastewater Hauler Information:
Name of Hauling Company/Person:

Address of Hauling Company /Person:

Number and Street | City | Zip Code

Contact Person:

Name | Phone Number

Destination Information:
Composting Facility / Broker / Farmer / Other (identify) (please circle one)

Contact information of Composting Facility, Broker, Farmer, or Other (as identified above):

Joe Mendes 300 Ruble Rd. Crowslanding, CA 95313 (209) 678-2207

Name | Number and Street | City | Zip Code | Phone Number

Manure/Process Wastewater Destination Address or Assessor's Parcel Number:

058-005-006

Number and Street | City | Zip Code | Assessor's Parcel Number

Dates Hauled: 4/24-4/29

Amount Hauled:
Enter the amount of manure hauled in tons or cubic yards (indicate the units used), the manure solids content (if amount reported in tons) or manure density (if amount reported in cubic yards), and the method used to calculate the amount:

Manure: Tons or Cubic Yards (indicate which units used)

Manure Solids Content (if amount reported in tons):

Manure Density (if amount reported in cubic yards):

Method used to determine amount of manure: _____

_____

Enter the amount of process wastewater hauled in gallons and the method used to determine the amount.

Process Wastewater: 100,000 Gallons

Method used to determine volume of process wastewater: PO

_____

Written Agreement:
Does the Operator have a written agreement (in compliance with Land Application Specification C.2 of Waste Discharge Requirements General Order No. R5-2007-0035) with any party that receives process wastewater from the Operator for its own use? (please check one)

X Yes _____ No

If the answer is no, the Operator agrees to have such a written agreement with any such party for any process wastewater transferred after **31 December 2007** to such party.
_____(Operator shall provide initials here to acknowledge this requirement).

Certification:
I declare under the penalty of law that I personally examined and am familiar with the information submitted in this document, and that based on my inquiry of those individuals immediately responsible for obtaining the information, I believe that the information is true, accurate, and complete. I am aware that there are significant penalties for submitting false information, including the possibility of a fine and imprisonment for knowing violations.

Operator's Signature: Caitlin Wickstrom (Jun 10, 2024 09:45 PDT) Date: _____

Hauler's Signature: N/A Date: _____

ATTACHMENT D

Manure/Process Wastewater Tracking Manifest
For
Existing Milk Cow Dairies

Instructions:

1) Complete one manifest for each hauling event, for each destination. A hauling event may last for several days, as long as the manure is being hauled to the same destination.
2) If there are multiple destinations, **complete a separate form for each destination**.
3) The operator must obtain the signature of the hauler upon completion of each manure-hauling event.
4) The operator shall submit copies of manure/process wastewater tracking manifest(s) with the Annual Monitoring Report for Existing Milk Cow Dairies.

Operator Information:

Name of Operator: Brent Wickstrom

Name of Dairy Facility: **Pinnacle Dairy**

Facility Address: **724 Ruble Rd. Crowslanding, CA 95313**

Number and Street City Zip Code

Contact Person Name and Phone Number: **Brent Wickstrom 209-495-7398**

Manure/Process Wastewater Hauler Information:

Name of Hauling Company/Person:

Address of Hauling Company /Person:

Number and Street City Zip Code

Contact Person:

Name Phone Number

Destination Information:

Composting Facility / Broker / Farmer / Other (identify) (please circle one)

Contact information of Composting Facility, Broker, Farmer, or Other (as identified above):

Joe Mendes 300 Ruble Rd. Crowslanding, CA 95313 (209) 678-2207

Name Number and Street City Zip Code Phone Number

Manure/Process Wastewater Destination Address or Assessor's Parcel Number:

058-005-006

Number and Street City Zip Code Assessor's Parcel Number

Dates Hauled: 5/4/23

Amount Hauled:

Enter the amount of manure hauled in tons or cubic yards (indicate the units used), the manure solids content (if amount reported in tons) or manure density (if amount reported in cubic yards), and the method used to calculate the amount:

Manure: Tons or Cubic Yards (indicate which units used)

Manure Solids Content (if amount reported in tons):

Manure Density (if amount reported in cubic yards):

Method used to determine amount of manure: _____

_____

Enter the amount of process wastewater hauled in gallons and the method used to determine the amount.

Process Wastewater: 1,000,000 Gallons

Method used to determine volume of process wastewater: PO

_____

Written Agreement:
Does the Operator have a written agreement (in compliance with Land Application Specification C.2 of Waste Discharge Requirements General Order No. R5-2007-0035) with any party that receives process wastewater from the Operator for its own use? (please check one)

X Yes _____ No

If the answer is no, the Operator agrees to have such a written agreement with any such party for any process wastewater transferred after **31 December 2007** to such party.
_____(Operator shall provide initials here to acknowledge this requirement).

Certification:
I declare under the penalty of law that I personally examined and am familiar with the information submitted in this document, and that based on my inquiry of those individuals immediately responsible for obtaining the information, I believe that the information is true, accurate, and complete. I am aware that there are significant penalties for submitting false information, including the possibility of a fine and imprisonment for knowing violations.

Operator's Signature: Caitlin Wickstrom (Caitlin Wickstrom (Jun 10, 2024 09:45 PDT)) Date: _____

Hauler's Signature: N/A Date: _____

ATTACHMENT D

Manure/Process Wastewater Tracking Manifest
For
Existing Milk Cow Dairies

Instructions:

1) Complete one manifest for each hauling event, for each destination. A hauling event may last for several days, as long as the manure is being hauled to the same destination.
2) If there are multiple destinations, **complete a separate form for each destination**.
3) The operator must obtain the signature of the hauler upon completion of each manure-hauling event.
4) The operator shall submit copies of manure/process wastewater tracking manifest(s) with the Annual Monitoring Report for Existing Milk Cow Dairies.

Operator Information:
Name of Operator: Brent Wickstrom

Name of Dairy Facility: **Pinnacle Dairy**

Facility Address: **724 Ruble Rd. Crowslanding, CA 95313**

Number and Street City Zip Code

Contact Person Name and Phone Number: **Brent Wickstrom 209-495-7398**

Manure/Process Wastewater Hauler Information:
Name of Hauling Company/Person:

Address of Hauling Company /Person:

Number and Street City Zip Code

Contact Person:

Name Phone Number

Destination Information:
Composting Facility / Broker / Farmer / Other (identify) (please circle one)

Contact information of Composting Facility, Broker, Farmer, or Other (as identified above):

Joe Mendes 300 Ruble Rd. Crowslanding, CA 95313 (209) 678-2207

Name Number and Street City Zip Code Phone Number

Manure/Process Wastewater Destination Address or Assessor's Parcel Number:

058-005-006

Number and Street City Zip Code Assessor's Parcel Number

Dates Hauled: 4/11/23

Amount Hauled:
Enter the amount of manure hauled in tons or cubic yards (indicate the units used), the manure solids content (if amount reported in tons) or manure density (if amount reported in cubic yards), and the method used to calculate the amount:

Manure: Tons or Cubic Yards (indicate which units used)

Manure Solids Content (if amount reported in tons):

Manure Density (if amount reported in cubic yards):

Method used to determine amount of manure: _____

_____

Enter the amount of process wastewater hauled in gallons and the method used to determine the amount.

Process Wastewater: 420,000 Gallons

Method used to determine volume of process wastewater: PO

_____

Written Agreement:
Does the Operator have a written agreement (in compliance with Land Application Specification C.2 of Waste Discharge Requirements General Order No. R5-2007-0035) with any party that receives process wastewater from the Operator for its own use? (please check one)

X Yes _____ No

If the answer is no, the Operator agrees to have such a written agreement with any such party for any process wastewater transferred after **31 December 2007** to such party.
_____(Operator shall provide initials here to acknowledge this requirement).

Certification:
I declare under the penalty of law that I personally examined and am familiar with the information submitted in this document, and that based on my inquiry of those individuals immediately responsible for obtaining the information, I believe that the information is true, accurate, and complete. I am aware that there are significant penalties for submitting false information, including the possibility of a fine and imprisonment for knowing violations.

Operator's Signature: Caitlin Wickstrom
Caitlin Wickstrom (Jun 10, 2024 09:45 PDT) Date: _____

Hauler's Signature: N/A Date: _____

ATTACHMENT D

Manure/Process Wastewater Tracking Manifest
For
Existing Milk Cow Dairies

Instructions:

1) Complete one manifest for each hauling event, for each destination. A hauling event may last for several days, as long as the manure is being hauled to the same destination.
2) If there are multiple destinations, **complete a separate form for each destination**.
3) The operator must obtain the signature of the hauler upon completion of each manure-hauling event.
4) The operator shall submit copies of manure/process wastewater tracking manifest(s) with the Annual Monitoring Report for Existing Milk Cow Dairies.

Operator Information:
Name of Operator: Brent Wickstrom

Name of Dairy Facility: **Pinnacle Dairy**

Facility Address: **724 Ruble Rd. Crowslanding, CA 95313**

Number and Street City Zip Code

Contact Person Name and Phone Number: **Brent Wickstrom 209-495-7398**

Manure/Process Wastewater Hauler Information:
Name of Hauling Company/Person:

Address of Hauling Company/Person:

Number and Street City Zip Code

Contact Person:

Name Phone Number

Destination Information:
Composting Facility / Broker / Farmer / Other (identify) (please circle one)

Contact information of Composting Facility, Broker, Farmer, or Other (as identified above):

Joe Mendes 300 Ruble Rd. Crowslanding, CA 95313 (209) 678-2207

Name Number and Street City Zip Code Phone Number

Manure/Process Wastewater Destination Address or Assessor's Parcel Number:

058-005-006

Number and Street City Zip Code Assessor's Parcel Number

Dates Hauled: 1/24/23

Amount Hauled:
Enter the amount of manure hauled in tons or cubic yards (indicate the units used), the manure solids content (if amount reported in tons) or manure density (if amount reported in cubic yards), and the method used to calculate the amount:

Manure: Tons or Cubic Yards (indicate which units used)

Manure Solids Content (if amount reported in tons):

Manure Density (if amount reported in cubic yards):

Method used to determine amount of manure: _____

_____

Enter the amount of process wastewater hauled in gallons and the method used to determine the amount.

Process Wastewater: 240,000 Gallons

Method used to determine volume of process wastewater: PO

_____

Written Agreement:
Does the Operator have a written agreement (in compliance with Land Application Specification C.2 of Waste Discharge Requirements General Order No. R5-2007-0035) with any party that receives process wastewater from the Operator for its own use? (please check one)

X Yes _____ No

If the answer is no, the Operator agrees to have such a written agreement with any such party for any process wastewater transferred after **31 December 2007** to such party.
_____(Operator shall provide initials here to acknowledge this requirement).

Certification:
I declare under the penalty of law that I personally examined and am familiar with the information submitted in this document, and that based on my inquiry of those individuals immediately responsible for obtaining the information, I believe that the information is true, accurate, and complete. I am aware that there are significant penalties for submitting false information, including the possibility of a fine and imprisonment for knowing violations.

Operator's Signature: Caitlin Wickstrom (Jun 10, 2024 09:45 PDT) Date: _____

Hauler's Signature: NA Date: _____

ATTACHMENT D

Manure/Process Wastewater Tracking Manifest
For
Existing Milk Cow Dairies

Instructions:

1) Complete one manifest for each hauling event, for each destination. A hauling event may last for several days, as long as the manure is being hauled to the same destination.
2) If there are multiple destinations, **complete a separate form for each destination**.
3) The operator must obtain the signature of the hauler upon completion of each manure-hauling event.
4) The operator shall submit copies of manure/process wastewater tracking manifest(s) with the Annual Monitoring Report for Existing Milk Cow Dairies.

Operator Information:
Name of Operator: Brent Wickstrom

Name of Dairy Facility: **Pinnacle Dairy**

Facility Address: **724 Ruble Rd. Crowslanding, CA 95313**

Number and Street | City | Zip Code

Contact Person Name and Phone Number: **Brent Wickstrom 209-495-7398**

Manure/Process Wastewater Hauler Information:
Name of Hauling Company/Person:

Address of Hauling Company /Person:

Number and Street | City | Zip Code

Contact Person:

Name | Phone Number

Destination Information:
Composting Facility / Broker / Farmer / Other (identify) (please circle one)

Contact information of Composting Facility, Broker, Farmer, or Other (as identified above):

Joe Mendes 300 Ruble Rd. Crowslanding, CA 95313 (209) 678-2207

Name | Number and Street | City | Zip Code | Phone Number

Manure/Process Wastewater Destination Address or Assessor's Parcel Number:

058-005-006

Number and Street | City | Zip Code | Assessor's Parcel Number

Dates Hauled: 7/17/23

Amount Hauled:
Enter the amount of manure hauled in tons or cubic yards (indicate the units used), the manure solids content (if amount reported in tons) or manure density (if amount reported in cubic yards), and the method used to calculate the amount:

Manure: Tons or Cubic Yards (indicate which units used)

Manure Solids Content (if amount reported in tons):

Manure Density (if amount reported in cubic yards):

Method used to determine amount of manure: _____

_____

Enter the amount of process wastewater hauled in gallons and the method used to determine the amount.

Process Wastewater: 240,000 Gallons

Method used to determine volume of process wastewater: PO

_____

Written Agreement:
Does the Operator have a written agreement (in compliance with Land Application Specification C.2 of Waste Discharge Requirements General Order No. R5-2007-0035) with any party that receives process wastewater from the Operator for its own use? (please check one)

X Yes _____ No

If the answer is no, the Operator agrees to have such a written agreement with any such party for any process wastewater transferred after **31 December 2007** to such party.
_____(Operator shall provide initials here to acknowledge this requirement).

Certification:
I declare under the penalty of law that I personally examined and am familiar with the information submitted in this document, and that based on my inquiry of those individuals immediately responsible for obtaining the information, I believe that the information is true, accurate, and complete. I am aware that there are significant penalties for submitting false information, including the possibility of a fine and imprisonment for knowing violations.

Operator's Signature: Caitlin Wickstrom
Caitlin Wickstrom (Jun 10, 2024 09:45 PDT) Date: _____

Hauler's Signature: N/A Date: _____

ATTACHMENT D

Manure/Process Wastewater Tracking Manifest
For
Existing Milk Cow Dairies

Instructions:

1) Complete one manifest for each hauling event, for each destination. A hauling event may last for several days, as long as the manure is being hauled to the same destination.
2) If there are multiple destinations, **complete a separate form for each destination.**
3) The operator must obtain the signature of the hauler upon completion of each manure-hauling event.
4) The operator shall submit copies of manure/process wastewater tracking manifest(s) with the Annual Monitoring Report for Existing Milk Cow Dairies.

Operator Information:
Name of Operator: Brent Wickstrom

Name of Dairy Facility: **Pinnacle Dairy**

Facility Address: **724 Ruble Rd. Crowslanding, CA 95313**

Number and Street City Zip Code

Contact Person Name and Phone Number: **Brent Wickstrom 209-495-7398**

Manure/Process Wastewater Hauler Information:
Name of Hauling Company/Person:

Address of Hauling Company /Person:

Number and Street City Zip Code

Contact Person:

Name Phone Number

Destination Information:
Composting Facility / Broker / Farmer / Other (identify) (please circle one)

Contact information of Composting Facility, Broker, Farmer, or Other (as identified above):

Joe Mendes 300 Ruble Rd. Crowslanding, CA 95313 (209) 678-2207

Name Number and Street City Zip Code Phone Number

Manure/Process Wastewater Destination Address or Assessor's Parcel Number:

058-005-006

Number and Street City Zip Code Assessor's Parcel Number

Dates Hauled: 7/28/23

Amount Hauled:
Enter the amount of manure hauled in tons or cubic yards (indicate the units used), the manure solids content (if amount reported in tons) or manure density (if amount reported in cubic yards), and the method used to calculate the amount:

Manure: Tons or Cubic Yards (indicate which units used)

Manure Solids Content (if amount reported in tons):

Manure Density (if amount reported in cubic yards):

Method used to determine amount of manure: _____

_____

Enter the amount of process wastewater hauled in gallons and the method used to determine the amount.

Process Wastewater: 240,000 Gallons

Method used to determine volume of process wastewater: PO

_____

Written Agreement:
Does the Operator have a written agreement (in compliance with Land Application Specification C.2 of Waste Discharge Requirements General Order No. R5-2007-0035) with any party that receives process wastewater from the Operator for its own use? (please check one)

X Yes _____ No

If the answer is no, the Operator agrees to have such a written agreement with any such party for any process wastewater transferred after **31 December 2007** to such party.
_____(Operator shall provide initials here to acknowledge this requirement).

Certification:
I declare under the penalty of law that I personally examined and am familiar with the information submitted in this document, and that based on my inquiry of those individuals immediately responsible for obtaining the information, I believe that the information is true, accurate, and complete. I am aware that there are significant penalties for submitting false information, including the possibility of a fine and imprisonment for knowing violations.

Operator's Signature: Caitlin Wickstrom (Jun 10, 2024 09:45 PDT) Date: _____

Hauler's Signature: NA Date: _____

ATTACHMENT D

Manure/Process Wastewater Tracking Manifest
For
Existing Milk Cow Dairies

Instructions:

1) Complete one manifest for each hauling event, for each destination. A hauling event may last for several days, as long as the manure is being hauled to the same destination.
2) If there are multiple destinations, **complete a separate form for each destination**.
3) The operator must obtain the signature of the hauler upon completion of each manure-hauling event.
4) The operator shall submit copies of manure/process wastewater tracking manifest(s) with the Annual Monitoring Report for Existing Milk Cow Dairies.

Operator Information:
Name of Operator: BKent WICKSTROM

Name of Dairy Facility: **Pinnacle Dairy**

Facility Address: **724 Ruble Rd. Crowslanding, CA 95313**

Number and Street | City | Zip Code

Contact Person Name and Phone Number: **Brent Wickstrom 209-495-7398**

Manure/Process Wastewater Hauler Information:
Name of Hauling Company/Person:
Address of Hauling Company /Person:

Number and Street | City | Zip Code

Contact Person:

Name | Phone Number

Destination Information:
Composting Facility / Broker / Farmer / Other (identify) (please circle one)

Contact information of Composting Facility, Broker, Farmer, or Other (as identified above):

Joe Mendes 300 Ruble Rd. Crowslanding, CA 95313 (209) 678-2207

Name | Number and Street | City | Zip Code | Phone Number

Manure/Process Wastewater Destination Address or Assessor's Parcel Number:

058-005-006

Number and Street | City | Zip Code | Assessor's Parcel Number

Dates Hauled: 8/17/23

Amount Hauled:
Enter the amount of manure hauled in tons or cubic yards (indicate the units used), the manure solids content (if amount reported in tons) or manure density (if amount reported in cubic yards), and the method used to calculate the amount:

Manure: Tons or Cubic Yards (indicate which units used)

Manure Solids Content (if amount reported in tons):

Manure Density (if amount reported in cubic yards):

Method used to determine amount of manure: _____

_____

Enter the amount of process wastewater hauled in gallons and the method used to determine the amount.

Process Wastewater: 240,000 Gallons

Method used to determine volume of process wastewater: PO

_____

Written Agreement:
Does the Operator have a written agreement (in compliance with Land Application Specification C.2 of Waste Discharge Requirements General Order No. R5-2007-0035) with any party that receives process wastewater from the Operator for its own use? (please check one)

X Yes _____ No

If the answer is no, the Operator agrees to have such a written agreement with any such party for any process wastewater transferred after **31 December 2007** to such party.
_____(Operator shall provide initials here to acknowledge this requirement).

Certification:
I declare under the penalty of law that I personally examined and am familiar with the information submitted in this document, and that based on my inquiry of those individuals immediately responsible for obtaining the information, I believe that the information is true, accurate, and complete. I am aware that there are significant penalties for submitting false information, including the possibility of a fine and imprisonment for knowing violations.

Operator's Signature: Caitlin Wickstrom (Jun 10, 2024 09:45 PDT) Date: _____

Hauler's Signature: N/A Date: _____

ATTACHMENT D

Manure/Process Wastewater Tracking Manifest
For
Existing Milk Cow Dairies

Instructions:

1) Complete one manifest for each hauling event, for each destination. A hauling event may last for several days, as long as the manure is being hauled to the same destination.
2) If there are multiple destinations, **complete a separate form for each destination**.
3) The operator must obtain the signature of the hauler upon completion of each manure-hauling event.
4) The operator shall submit copies of manure/process wastewater tracking manifest(s) with the Annual Monitoring Report for Existing Milk Cow Dairies.

Operator Information:
Name of Operator: Brent Wickstrom
Name of Dairy Facility: **Pinnacle Dairy**
Facility Address: **724 Ruble Rd. Crowslanding, CA 95313**
Number and Street City Zip Code
Contact Person Name and Phone Number: **Brent Wickstrom 209-495-7398**

Manure/Process Wastewater Hauler Information:
Name of Hauling Company/Person:
Address of Hauling Company /Person:
Number and Street City Zip Code
Contact Person:
Name Phone Number

Destination Information:
Composting Facility / Broker / Farmer / Other (identify) (please circle one)
Contact information of Composting Facility, Broker, Farmer, or Other (as identified above):

Joe Mendes 300 Ruble Rd. Crowslanding, CA 95313 (209) 678-2207
Name Number and Street City Zip Code Phone Number

Manure/Process Wastewater Destination Address or Assessor's Parcel Number:

058-005-006
Number and Street City Zip Code Assessor's Parcel Number

Dates Hauled: 10/14/23

Amount Hauled:
Enter the amount of manure hauled in tons or cubic yards (indicate the units used), the manure solids content (if amount reported in tons) or manure density (if amount reported in cubic yards), and the method used to calculate the amount:

Manure: Tons or Cubic Yards (indicate which units used)
Manure Solids Content (if amount reported in tons):
Manure Density (if amount reported in cubic yards):

Method used to determine amount of manure: _____

_____

Enter the amount of process wastewater hauled in gallons and the method used to determine the amount.

Process Wastewater: 120,000 Gallons

Method used to determine volume of process wastewater: PO

_____

Written Agreement:
Does the Operator have a written agreement (in compliance with Land Application Specification C.2 of Waste Discharge Requirements General Order No. R5-2007-0035) with any party that receives process wastewater from the Operator for its own use? (please check one)

X Yes _____ No

If the answer is no, the Operator agrees to have such a written agreement with any such party for any process wastewater transferred after **31 December 2007** to such party.
_____(Operator shall provide initials here to acknowledge this requirement).

Certification:
I declare under the penalty of law that I personally examined and am familiar with the information submitted in this document, and that based on my inquiry of those individuals immediately responsible for obtaining the information, I believe that the information is true, accurate, and complete. I am aware that there are significant penalties for submitting false information, including the possibility of a fine and imprisonment for knowing violations.

Operator's Signature: Caitlin Wickstrom Date: _____

Hauler's Signature: N/A Date: _____

ATTACHMENT D

Manure/Process Wastewater Tracking Manifest
For
Existing Milk Cow Dairies

Instructions:

1) Complete one manifest for each hauling event, for each destination. A hauling event may last for several days, as long as the manure is being hauled to the same destination.
2) If there are multiple destinations, **complete a separate form for each destination**.
3) The operator must obtain the signature of the hauler upon completion of each manure-hauling event.
4) The operator shall submit copies of manure/process wastewater tracking manifest(s) with the Annual Monitoring Report for Existing Milk Cow Dairies.

Operator Information:
Name of Operator: Brent Wickstrom

Name of Dairy Facility: **Pinnacle Dairy**

Facility Address: **724 Ruble Rd. Crowslanding, CA 95313**

Number and Street | City | Zip Code

Contact Person Name and Phone Number: **Brent Wickstrom 209-495-7398**

Manure/Process Wastewater Hauler Information:
Name of Hauling Company/Person:

Address of Hauling Company/Person:

Number and Street | City | Zip Code

Contact Person:

Name | Phone Number

Destination Information:
Composting Facility / Broker / Farmer / Other (identify) (please circle one)

Contact information of Composting Facility, Broker, Farmer, or Other (as identified above):

Joe Mendes 300 Ruble Rd. Crowslanding, CA 95313 (209) 678-2207

Name | Number and Street | City | Zip Code | Phone Number

Manure/Process Wastewater Destination Address or Assessor's Parcel Number:

058-005-006

Number and Street | City | Zip Code | Assessor's Parcel Number

Dates Hauled: 11/4/23

Amount Hauled:
Enter the amount of manure hauled in tons or cubic yards (indicate the units used), the manure solids content (if amount reported in tons) or manure density (if amount reported in cubic yards), and the method used to calculate the amount:

Manure: Tons or Cubic Yards (indicate which units used)

Manure Solids Content (if amount reported in tons):

Manure Density (if amount reported in cubic yards):

Method used to determine amount of manure: _____

_____

Enter the amount of process wastewater hauled in gallons and the method used to determine the amount.

Process Wastewater: 240,000 Gallons

Method used to determine volume of process wastewater: PD

_____

Written Agreement:
Does the Operator have a written agreement (in compliance with Land Application Specification C.2 of Waste Discharge Requirements General Order No. R5-2007-0035) with any party that receives process wastewater from the Operator for its own use? (please check one)

X Yes _____ No

If the answer is no, the Operator agrees to have such a written agreement with any such party for any process wastewater transferred after **31 December 2007** to such party.
_____(Operator shall provide initials here to acknowledge this requirement).

Certification:
I declare under the penalty of law that I personally examined and am familiar with the information submitted in this document, and that based on my inquiry of those individuals immediately responsible for obtaining the information, I believe that the information is true, accurate, and complete. I am aware that there are significant penalties for submitting false information, including the possibility of a fine and imprisonment for knowing violations.

Operator's Signature: Caitlin Wickstrom (Jun 10, 2024 09:45 PDT) Date: _____

Hauler's Signature: N/A Date: _____

ATTACHMENT D

Manure/Process Wastewater Tracking Manifest
For
Existing Milk Cow Dairies

Instructions:

1) Complete one manifest for each hauling event, for each destination. A hauling event may last for several days, as long as the manure is being hauled to the same destination.
2) If there are multiple destinations, **complete a separate form for each destination**.
3) The operator must obtain the signature of the hauler upon completion of each manure-hauling event.
4) The operator shall submit copies of manure/process wastewater tracking manifest(s) with the Annual Monitoring Report for Existing Milk Cow Dairies.

Operator Information:
Name of Operator: Brent Wickstrom

Name of Dairy Facility: **Pinnacle Dairy**

Facility Address: **724 Ruble Rd. Crowslanding, CA 95313**

Number and Street | City | Zip Code

Contact Person Name and Phone Number: **Brent Wickstrom 209-495-7398**

Manure/Process Wastewater Hauler Information:
Name of Hauling Company/Person:

Address of Hauling Company /Person:

Number and Street | City | Zip Code

Contact Person:

Name | Phone Number

Destination Information:
Composting Facility / Broker / Farmer / Other (identify) (please circle one)

Contact information of Composting Facility, Broker, Farmer, or Other (as identified above):

Joe Mendes 300 Ruble Rd. Crowslanding, CA 95313 (209) 678-2207

Name | Number and Street | City | Zip Code | Phone Number

Manure/Process Wastewater Destination Address or Assessor's Parcel Number:

058-005-006

Number and Street | City | Zip Code | Assessor's Parcel Number

Dates Hauled: 11/30/23

Amount Hauled:
Enter the amount of manure hauled in tons or cubic yards (indicate the units used), the manure solids content (if amount reported in tons) or manure density (if amount reported in cubic yards), and the method used to calculate the amount:

Manure: Tons or Cubic Yards (indicate which units used)

Manure Solids Content (if amount reported in tons):

Manure Density (if amount reported in cubic yards):

Method used to determine amount of manure: _____

_____

Enter the amount of process wastewater hauled in gallons and the method used to determine the amount.

Process Wastewater: 300,000 Gallons

Method used to determine volume of process wastewater: PO

_____

Written Agreement:
Does the Operator have a written agreement (in compliance with Land Application Specification C.2 of Waste Discharge Requirements General Order No. R5-2007-0035) with any party that receives process wastewater from the Operator for its own use? (please check one)

X Yes _____ No

If the answer is no, the Operator agrees to have such a written agreement with any such party for any process wastewater transferred after **31 December 2007** to such party.
_____(Operator shall provide initials here to acknowledge this requirement).

Certification:
I declare under the penalty of law that I personally examined and am familiar with the information submitted in this document, and that based on my inquiry of those individuals immediately responsible for obtaining the information, I believe that the information is true, accurate, and complete. I am aware that there are significant penalties for submitting false information, including the possibility of a fine and imprisonment for knowing violations.

Operator's Signature: Caitlin Wickstrom (Caitlin Wickstrom (Jun 10, 2024 09:45 PDT)) Date: _____

Hauler's Signature: N/A Date: _____

ATTACHMENT D

Manure/Process Wastewater Tracking Manifest
For
Existing Milk Cow Dairies

Instructions:

1) Complete one manifest for each hauling event, for each destination. A hauling event may last for several days, as long as the manure is being hauled to the same destination.
2) If there are multiple destinations, **complete a separate form for each destination.**
3) The operator must obtain the signature of the hauler upon completion of each manure-hauling event.
4) The operator shall submit copies of manure/process wastewater tracking manifest(s) with the Annual Monitoring Report for Existing Milk Cow Dairies.

Operator Information:
Name of Operator: Brent Wickstrom

Name of Dairy Facility: **Pinnacle Dairy**

Facility Address: **724 Ruble Rd. Crowslanding, CA 95313**

Number and Street City Zip Code

Contact Person Name and Phone Number: **Brent Wickstrom 209-495-7398**

Manure/Process Wastewater Hauler Information:
Name of Hauling Company/Person:

Address of Hauling Company /Person:

Number and Street City Zip Code

Contact Person:

Name Phone Number

Destination Information:
Composting Facility / Broker / Farmer / Other (identify) (please circle one)

Contact information of Composting Facility, Broker, Farmer, or Other (as identified above):

Joe Mendes 300 Ruble Rd. Crowslanding, CA 95313 (209) 678-2207

Name Number and Street City Zip Code Phone Number

Manure/Process Wastewater Destination Address or Assessor's Parcel Number:

058-005-006

Number and Street City Zip Code Assessor's Parcel Number

Dates Hauled: 12/7/23

Amount Hauled:
Enter the amount of manure hauled in tons or cubic yards (indicate the units used), the manure solids content (if amount reported in tons) or manure density (if amount reported in cubic yards), and the method used to calculate the amount:

Manure: Tons or Cubic Yards (indicate which units used)

Manure Solids Content (if amount reported in tons):

Manure Density (if amount reported in cubic yards):

Method used to determine amount of manure: _____

_____

Enter the amount of process wastewater hauled in gallons and the method used to determine the amount.

Process Wastewater: 300,000 Gallons

Method used to determine volume of process wastewater: PO

_____

Written Agreement:
Does the Operator have a written agreement (in compliance with Land Application Specification C.2 of Waste Discharge Requirements General Order No. R5-2007-0035) with any party that receives process wastewater from the Operator for its own use? (please check one)

X Yes _____ No

If the answer is no, the Operator agrees to have such a written agreement with any such party for any process wastewater transferred after **31 December 2007** to such party.
_____(Operator shall provide initials here to acknowledge this requirement).

Certification:
I declare under the penalty of law that I personally examined and am familiar with the information submitted in this document, and that based on my inquiry of those individuals immediately responsible for obtaining the information, I believe that the information is true, accurate, and complete. I am aware that there are significant penalties for submitting false information, including the possibility of a fine and imprisonment for knowing violations.

Operator's Signature: Caitlin Wickstrom (Jun 10, 2024 09:45 PDT) Date: _____

Hauler's Signature: N/A Date: _____

ATTACHMENT D

Manure/Process Wastewater Tracking Manifest
For
Existing Milk Cow Dairies

Instructions:

1) Complete one manifest for each hauling event, for each destination. A hauling event may last for several days, as long as the manure is being hauled to the same destination.
2) If there are multiple destinations, **complete a separate form for each destination.**
3) The operator must obtain the signature of the hauler upon completion of each manure-hauling event.
4) The operator shall submit copies of manure/process wastewater tracking manifest(s) with the Annual Monitoring Report for Existing Milk Cow Dairies.

Operator Information:
Name of Operator: Brent Wickstrom
Name of Dairy Facility: **Pinnacle Dairy**
Facility Address: **724 Ruble Rd. Crowslanding, CA 95313**
Number and Street City Zip Code
Contact Person Name and Phone Number: **Brent Wickstrom 209-495-7398**

Manure/Process Wastewater Hauler Information:
Name of Hauling Company/Person:
Address of Hauling Company /Person:
Number and Street City Zip Code
Contact Person:
Name Phone Number

Destination Information:
Composting Facility / Broker / Farmer / Other (identify) (please circle one)
Contact information of Composting Facility, Broker, Farmer, or Other (as identified above):
Joe Mendes 300 Ruble Rd. Crowslanding, CA 95313 (209) 678-2207
Name Number and Street City Zip Code Phone Number
Manure/Process Wastewater Destination Address or Assessor's Parcel Number:
058-005-006
Number and Street City Zip Code Assessor's Parcel Number
Dates Hauled: 12/29-12/31

Amount Hauled:
Enter the amount of manure hauled in tons or cubic yards (indicate the units used), the manure solids content (if amount reported in tons) or manure density (if amount reported in cubic yards), and the method used to calculate the amount:

Manure: Tons or Cubic Yards (indicate which units used)
Manure Solids Content (if amount reported in tons):
Manure Density (if amount reported in cubic yards):

Method used to determine amount of manure: _____

_____

Enter the amount of process wastewater hauled in gallons and the method used to determine the amount.

Process Wastewater: 420,000 Gallons

Method used to determine volume of process wastewater: PD

_____

Written Agreement:
Does the Operator have a written agreement (in compliance with Land Application Specification C.2 of Waste Discharge Requirements General Order No. R5-2007-0035) with any party that receives process wastewater from the Operator for its own use? (please check one)

X Yes _____ No

If the answer is no, the Operator agrees to have such a written agreement with any such party for any process wastewater transferred after **31 December 2007** to such party.
_____(Operator shall provide initials here to acknowledge this requirement).

Certification:
I declare under the penalty of law that I personally examined and am familiar with the information submitted in this document, and that based on my inquiry of those individuals immediately responsible for obtaining the information, I believe that the information is true, accurate, and complete. I am aware that there are significant penalties for submitting false information, including the possibility of a fine and imprisonment for knowing violations.

Operator's Signature: Caitlin Wickstrom (Caitlin Wickstrom (Jun 10, 2024 09:45 PDT)) Date: _____

Hauler's Signature: N/A Date: _____

ATTACHMENT D

Manure/Process Wastewater Tracking Manifest
For
Existing Milk Cow Dairies

Instructions:

1) Complete one manifest for each hauling event, for each destination. A hauling event may last for several days, as long as the manure is being hauled to the same destination.
2) If there are multiple destinations, **complete a separate form for each destination**.
3) The operator must obtain the signature of the hauler upon completion of each manure-hauling event.
4) The operator shall submit copies of manure/process wastewater tracking manifest(s) with the Annual Monitoring Report for Existing Milk Cow Dairies.

Operator Information:
Name of Operator: Brent Wickstrom

Name of Dairy Facility: **Pinnacle Dairy**

Facility Address: **724 Ruble Rd. Crowslanding, CA 95313**

Number and Street | City | Zip Code

Contact Person Name and Phone Number: **Brent Wickstrom** **209-495-7398**

Name | Phone Number

Manure/Process Wastewater Hauler Information:
Name of Hauling Company/Person:

Address of Hauling Company /Person:

Number and Street | City | Zip Code

Contact Person

Name | Phone Number

Destination Information:
Composting Facility / Broker / Farmer / Other (identify) (please circle one)

Contact information of Composting Facility, Broker, Farmer, or Other (as identified above):

Brouhard Farms 624 Ruble Rd. Crowslanding, CA 95313 (209) 678-2207

Name | Number and Street | City | Zip Code | Phone Number

Manure/Process Wastewater Destination Address or Assessor's Parcel Number:

058-005-016

Number and Street | City | Zip Code | Assessor's Parcel Number

Dates Hauled: 1/13 - 1/15

Amount Hauled:
Enter the amount of manure hauled in tons or cubic yards (indicate the units used), the manure solids content (if amount reported in tons) or manure density (if amount reported in cubic yards), and the method used to calculate the amount:

Manure: Tons or Cubic Yards (indicate which units used)

Manure Solids Content (if amount reported in tons):

Manure Density (if amount reported in cubic yards):

Attachment D
Waste Discharge Requirements General Order No. R5-2007-0035
Existing Milk Cow Dairies

Method used to determine amount of manure: _____

_____

Enter the amount of process wastewater hauled in gallons and the method used to determine the amount.

Process Wastewater: 300,000 Gallons

Method used to determine volume of process wastewater: PD

_____

Written Agreement:
Does the Operator have a written agreement (in compliance with Land Application Specification C.2 of Waste Discharge Requirements General Order No. R5-2007-0035) with any party that receives process wastewater from the Operator for its own use? (please check one)

X Yes _____ No

If the answer is no, the Operator agrees to have such a written agreement with any such party for any process wastewater transferred after **31 December 2007** to such party.
_____(Operator shall provide initials here to acknowledge this requirement).

Certification:
I declare under the penalty of law that I personally examined and am familiar with the information submitted in this document, and that based on my inquiry of those individuals immediately responsible for obtaining the information, I believe that the information is true, accurate, and complete. I am aware that there are significant penalties for submitting false information, including the possibility of a fine and imprisonment for knowing violations.

Operator's Signature: Caitlin Wickstrom (Jun 10, 2024 09:45 PDT) Date: _____

Hauler's Signature: N/A Date: _____

ATTACHMENT D

Manure/Process Wastewater Tracking Manifest
For
Existing Milk Cow Dairies

Instructions:

1) Complete one manifest for each hauling event, for each destination. A hauling event may last for several days, as long as the manure is being hauled to the same destination.
2) If there are multiple destinations, **complete a separate form for each destination**.
3) The operator must obtain the signature of the hauler upon completion of each manure-hauling event.
4) The operator shall submit copies of manure/process wastewater tracking manifest(s) with the Annual Monitoring Report for Existing Milk Cow Dairies.

Operator Information:

Name of Operator: Brent Wickstrom

Name of Dairy Facility: **Pinnacle Dairy**

Facility Address: **724 Ruble Rd. Crowslanding, CA 95313**

Number and Street City Zip Code

Contact Person Name and Phone Number: **Brent Wickstrom 209-495-7398**

Name Phone Number

Manure/Process Wastewater Hauler Information:

Name of Hauling Company/Person:

Address of Hauling Company /Person:

Number and Street City Zip Code

Contact Person

Name Phone Number

Destination Information:

Composting Facility / Broker / Farmer / Other (identify) (please circle one)

Contact information of Composting Facility, Broker, Farmer, or Other (as identified above):

Brouhard Farms 624 Ruble Rd. Crowslanding, CA 95313 (209) 678-2207

Name Number and Street City Zip Code Phone Number

Manure/Process Wastewater Destination Address or Assessor's Parcel Number:

058-005-016

Number and Street City Zip Code Assessor's Parcel Number

Dates Hauled: 2/9 - 2/12

Amount Hauled:

Enter the amount of manure hauled in tons or cubic yards (indicate the units used), the manure solids content (if amount reported in tons) or manure density (if amount reported in cubic yards), and the method used to calculate the amount:

Manure: Tons or Cubic Yards (indicate which units used)

Manure Solids Content (if amount reported in tons):

Manure Density (if amount reported in cubic yards):

Method used to determine amount of manure: _____

_____

Enter the amount of process wastewater hauled in gallons and the method used to determine the amount.

Process Wastewater: 300,000 Gallons

Method used to determine volume of process wastewater: PO

_____

Written Agreement:
Does the Operator have a written agreement (in compliance with Land Application Specification C.2 of Waste Discharge Requirements General Order No. R5-2007-0035) with any party that receives process wastewater from the Operator for its own use? (please check one)

X Yes _____ No

If the answer is no, the Operator agrees to have such a written agreement with any such party for any process wastewater transferred after **31 December 2007** to such party.
_____(Operator shall provide initials here to acknowledge this requirement).

Certification:
I declare under the penalty of law that I personally examined and am familiar with the information submitted in this document, and that based on my inquiry of those individuals immediately responsible for obtaining the information, I believe that the information is true, accurate, and complete. I am aware that there are significant penalties for submitting false information, including the possibility of a fine and imprisonment for knowing violations.

Operator's Signature: Caitlin Wickstrom (Caitlin Wickstrom (Jun 10, 2024 09:45 PDT)) Date: _____

Hauler's Signature: N/A Date: _____

ATTACHMENT D

Manure/Process Wastewater Tracking Manifest
For
Existing Milk Cow Dairies

Instructions:

1) Complete one manifest for each hauling event, for each destination. A hauling event may last for several days, as long as the manure is being hauled to the same destination.
2) If there are multiple destinations, **complete a separate form for each destination**.
3) The operator must obtain the signature of the hauler upon completion of each manure-hauling event.
4) The operator shall submit copies of manure/process wastewater tracking manifest(s) with the Annual Monitoring Report for Existing Milk Cow Dairies.

Operator Information:
Name of Operator: Brent Wickstrom

Name of Dairy Facility: **Pinnacle Dairy**

Facility Address: **724 Ruble Rd. Crowslanding, CA 95313**

Number and Street | City | Zip Code

Contact Person Name and Phone Number: **Brent Wickstrom 209-495-7398**

Name | Phone Number

Manure/Process Wastewater Hauler Information:
Name of Hauling Company/Person:

Address of Hauling Company /Person:

Number and Street | City | Zip Code

Contact Person

Name | Phone Number

Destination Information:
Composting Facility / Broker / Farmer / Other (identify) (please circle one)

Contact information of Composting Facility, Broker, Farmer, or Other (as identified above):

Brouhard Farms 624 Ruble Rd. Crowslanding, CA 95313 (209) 678-2207

Name | Number and Street | City | Zip Code | Phone Number

Manure/Process Wastewater Destination Address or Assessor's Parcel Number:

058-005-016

Number and Street | City | Zip Code | Assessor's Parcel Number

Dates Hauled: 2/20/23

Amount Hauled:
Enter the amount of manure hauled in tons or cubic yards (indicate the units used), the manure solids content (if amount reported in tons) or manure density (if amount reported in cubic yards), and the method used to calculate the amount:

Manure: Tons or Cubic Yards (indicate which units used)

Manure Solids Content (if amount reported in tons):

Manure Density (if amount reported in cubic yards):

Method used to determine amount of manure: _____

_____

Enter the amount of process wastewater hauled in gallons and the method used to determine the amount.

Process Wastewater: 240,000 Gallons

Method used to determine volume of process wastewater: PO

_____

Written Agreement:
Does the Operator have a written agreement (in compliance with Land Application Specification C.2 of Waste Discharge Requirements General Order No. R5-2007-0035) with any party that receives process wastewater from the Operator for its own use? (please check one)

X Yes _____ No

If the answer is no, the Operator agrees to have such a written agreement with any such party for any process wastewater transferred after **31 December 2007** to such party.
_____(Operator shall provide initials here to acknowledge this requirement).

Certification:
I declare under the penalty of law that I personally examined and am familiar with the information submitted in this document, and that based on my inquiry of those individuals immediately responsible for obtaining the information, I believe that the information is true, accurate, and complete. I am aware that there are significant penalties for submitting false information, including the possibility of a fine and imprisonment for knowing violations.

Operator's Signature: Caitlin Wickstrom (Jun 10, 2024 09:45 PDT) Date: _____

Hauler's Signature: NA Date: _____

ATTACHMENT D

Manure/Process Wastewater Tracking Manifest
For
Existing Milk Cow Dairies

Instructions:

1) Complete one manifest for each hauling event, for each destination. A hauling event may last for several days, as long as the manure is being hauled to the same destination.
2) If there are multiple destinations, **complete a separate form for each destination**.
3) The operator must obtain the signature of the hauler upon completion of each manure-hauling event.
4) The operator shall submit copies of manure/process wastewater tracking manifest(s) with the Annual Monitoring Report for Existing Milk Cow Dairies.

Operator Information:
Name of Operator: Brent Wickstrom

Name of Dairy Facility: **Pinnacle Dairy**

Facility Address: **724 Ruble Rd. Crowslanding, CA 95313**

Number and Street | City | Zip Code

Contact Person Name and Phone Number: **Brent Wickstrom 209-495-7398**

Name | Phone Number

Manure/Process Wastewater Hauler Information:
Name of Hauling Company/Person:

Address of Hauling Company /Person:

Number and Street | City | Zip Code

Contact Person

Name | Phone Number

Destination Information:
Composting Facility / Broker / Farmer / Other (identify) (please circle one)

Contact information of Composting Facility, Broker, Farmer, or Other (as identified above):

Brouhard Farms 624 Ruble Rd. Crowslanding, CA 95313 (209) 678-2207

Name | Number and Street | City | Zip Code | Phone Number

Manure/Process Wastewater Destination Address or Assessor's Parcel Number:

058-005-016

Number and Street | City | Zip Code | Assessor's Parcel Number

Dates Hauled: 5/5/23

Amount Hauled:
Enter the amount of manure hauled in tons or cubic yards (indicate the units used), the manure solids content (if amount reported in tons) or manure density (if amount reported in cubic yards), and the method used to calculate the amount:

Manure: Tons or Cubic Yards (indicate which units used)

Manure Solids Content (if amount reported in tons):

Manure Density (if amount reported in cubic yards):

Method used to determine amount of manure: _____

_____

Enter the amount of process wastewater hauled in gallons and the method used to determine the amount.

Process Wastewater: 740,000 Gallons

Method used to determine volume of process wastewater: PO

_____

Written Agreement:
Does the Operator have a written agreement (in compliance with Land Application Specification C.2 of Waste Discharge Requirements General Order No. R5-2007-0035) with any party that receives process wastewater from the Operator for its own use? (please check one)

X Yes _____ No

If the answer is no, the Operator agrees to have such a written agreement with any such party for any process wastewater transferred after **31 December 2007** to such party.
_____(Operator shall provide initials here to acknowledge this requirement).

Certification:
I declare under the penalty of law that I personally examined and am familiar with the information submitted in this document, and that based on my inquiry of those individuals immediately responsible for obtaining the information, I believe that the information is true, accurate, and complete. I am aware that there are significant penalties for submitting false information, including the possibility of a fine and imprisonment for knowing violations.

Operator's Signature: Caitlin Wickstrom (Caitlin Wickstrom (Jun 10, 2024 09:45 PDT)) Date: _____

Hauler's Signature: N/A Date: _____

ATTACHMENT D

Manure/Process Wastewater Tracking Manifest
For
Existing Milk Cow Dairies

Instructions:

1) Complete one manifest for each hauling event, for each destination. A hauling event may last for several days, as long as the manure is being hauled to the same destination.
2) If there are multiple destinations, **complete a separate form for each destination**.
3) The operator must obtain the signature of the hauler upon completion of each manure-hauling event.
4) The operator shall submit copies of manure/process wastewater tracking manifest(s) with the Annual Monitoring Report for Existing Milk Cow Dairies.

Operator Information:
Name of Operator: Brent Wickstrom

Name of Dairy Facility: **Pinnacle Dairy**

Facility Address: **724 Ruble Rd. Crowslanding, CA 95313**

Number and Street | City | Zip Code

Contact Person Name and Phone Number: **Brent Wickstrom 209-495-7398**

Name | Phone Number

Manure/Process Wastewater Hauler Information:
Name of Hauling Company/Person:

Address of Hauling Company /Person:

Number and Street | City | Zip Code

Contact Person

Name | Phone Number

Destination Information:
Composting Facility / Broker / Farmer / Other (identify) (please circle one)

Contact information of Composting Facility, Broker, Farmer, or Other (as identified above):

Brouhard Farms 624 Ruble Rd. Crowslanding, CA 95313 (209) 678-2207

Name | Number and Street | City | Zip Code | Phone Number

Manure/Process Wastewater Destination Address or Assessor's Parcel Number:

058-005-016

Number and Street | City | Zip Code | Assessor's Parcel Number

Dates Hauled: 4/11/23

Amount Hauled:
Enter the amount of manure hauled in tons or cubic yards (indicate the units used), the manure solids content (if amount reported in tons) or manure density (if amount reported in cubic yards), and the method used to calculate the amount:

Manure: Tons or Cubic Yards (indicate which units used)

Manure Solids Content (if amount reported in tons):

Manure Density (if amount reported in cubic yards):

Method used to determine amount of manure: _____

_____

Enter the amount of process wastewater hauled in gallons and the method used to determine the amount.

Process Wastewater: 120,000 Gallons

Method used to determine volume of process wastewater: PD

_____

Written Agreement:
Does the Operator have a written agreement (in compliance with Land Application Specification C.2 of Waste Discharge Requirements General Order No. R5-2007-0035) with any party that receives process wastewater from the Operator for its own use? (please check one)

X Yes _____ No

If the answer is no, the Operator agrees to have such a written agreement with any such party for any process wastewater transferred after **31 December 2007** to such party.
_____(Operator shall provide initials here to acknowledge this requirement).

Certification:
I declare under the penalty of law that I personally examined and am familiar with the information submitted in this document, and that based on my inquiry of those individuals immediately responsible for obtaining the information, I believe that the information is true, accurate, and complete. I am aware that there are significant penalties for submitting false information, including the possibility of a fine and imprisonment for knowing violations.

Operator's Signature: Caitlin Wickstrom (Jun 10, 2024 09:45 PDT) Date: _____

Hauler's Signature: N/A Date: _____

ATTACHMENT D

Manure/Process Wastewater Tracking Manifest
For
Existing Milk Cow Dairies

Instructions:

1) Complete one manifest for each hauling event, for each destination. A hauling event may last for several days, as long as the manure is being hauled to the same destination.
2) If there are multiple destinations, **complete a separate form for each destination**.
3) The operator must obtain the signature of the hauler upon completion of each manure-hauling event.
4) The operator shall submit copies of manure/process wastewater tracking manifest(s) with the Annual Monitoring Report for Existing Milk Cow Dairies.

Operator Information:
Name of Operator: Brent Wickstrom

Name of Dairy Facility: **Pinnacle Dairy**

Facility Address: **724 Ruble Rd. Crowslanding, CA 95313**

Number and Street | City | Zip Code

Contact Person Name and Phone Number: **Brent Wickstrom 209-495-7398**

Name | Phone Number

Manure/Process Wastewater Hauler Information:
Name of Hauling Company/Person:

Address of Hauling Company /Person:

Number and Street | City | Zip Code

Contact Person

Name | Phone Number

Destination Information:
Composting Facility / Broker / Farmer / Other (identify) (please circle one)

Contact information of Composting Facility, Broker, Farmer, or Other (as identified above):

Brouhard Farms 624 Ruble Rd. Crowslanding, CA 95313 (209) 678-2207

Name | Number and Street | City | Zip Code | Phone Number

Manure/Process Wastewater Destination Address or Assessor's Parcel Number:

058-005-016

Number and Street | City | Zip Code | Assessor's Parcel Number

Dates Hauled: 4/24/23

Amount Hauled:
Enter the amount of manure hauled in tons or cubic yards (indicate the units used), the manure solids content (if amount reported in tons) or manure density (if amount reported in cubic yards), and the method used to calculate the amount:

Manure: Tons or Cubic Yards (indicate which units used)

Manure Solids Content (if amount reported in tons):

Manure Density (if amount reported in cubic yards):

Method used to determine amount of manure: _____

_____

Enter the amount of process wastewater hauled in gallons and the method used to determine the amount.

Process Wastewater: 420,000 Gallons

Method used to determine volume of process wastewater: RO

_____

Written Agreement:
Does the Operator have a written agreement (in compliance with Land Application Specification C.2 of Waste Discharge Requirements General Order No. R5-2007-0035) with any party that receives process wastewater from the Operator for its own use? (please check one)

X Yes _____ No

If the answer is no, the Operator agrees to have such a written agreement with any such party for any process wastewater transferred after **31 December 2007** to such party.
_____(Operator shall provide initials here to acknowledge this requirement).

Certification:
I declare under the penalty of law that I personally examined and am familiar with the information submitted in this document, and that based on my inquiry of those individuals immediately responsible for obtaining the information, I believe that the information is true, accurate, and complete. I am aware that there are significant penalties for submitting false information, including the possibility of a fine and imprisonment for knowing violations.

Operator's Signature: Caitlin Wickstrom (Caitlin Wickstrom (Jun 10, 2024 09:45 PDT)) Date: _____

Hauler's Signature: N/A Date: _____

ATTACHMENT D

Manure/Process Wastewater Tracking Manifest
For
Existing Milk Cow Dairies

Instructions:

1) Complete one manifest for each hauling event, for each destination. A hauling event may last for several days, as long as the manure is being hauled to the same destination.
2) If there are multiple destinations, **complete a separate form for each destination**.
3) The operator must obtain the signature of the hauler upon completion of each manure-hauling event.
4) The operator shall submit copies of manure/process wastewater tracking manifest(s) with the Annual Monitoring Report for Existing Milk Cow Dairies.

Operator Information:
Name of Operator: Brent Wickstrom

Name of Dairy Facility: **Pinnacle Dairy**

Facility Address: **724 Ruble Rd. Crowslanding, CA 95313**

Number and Street | City | Zip Code

Contact Person Name and Phone Number: **Brent Wickstrom 209-495-7398**

Name | Phone Number

Manure/Process Wastewater Hauler Information:
Name of Hauling Company/Person:

Address of Hauling Company /Person:

Number and Street | City | Zip Code

Contact Person

Name | Phone Number

Destination Information:
Composting Facility / Broker / Farmer / Other (identify) (please circle one)

Contact information of Composting Facility, Broker, Farmer, or Other (as identified above):

Brouhard Farms 624 Ruble Rd. Crowslanding, CA 95313 (209) 678-2207

Name | Number and Street | City | Zip Code | Phone Number

Manure/Process Wastewater Destination Address or Assessor's Parcel Number:

058-005-016

Number and Street | City | Zip Code | Assessor's Parcel Number

Dates Hauled: 7/4/23

Amount Hauled:
Enter the amount of manure hauled in tons or cubic yards (indicate the units used), the manure solids content (if amount reported in tons) or manure density (if amount reported in cubic yards), and the method used to calculate the amount:

Manure: Tons or Cubic Yards (indicate which units used)

Manure Solids Content (if amount reported in tons):

Manure Density (if amount reported in cubic yards):

Method used to determine amount of manure: _____

_____

Enter the amount of process wastewater hauled in gallons and the method used to determine the amount.

Process Wastewater: 240,000 Gallons

Method used to determine volume of process wastewater: PO

_____

Written Agreement:
Does the Operator have a written agreement (in compliance with Land Application Specification C.2 of Waste Discharge Requirements General Order No. R5-2007-0035) with any party that receives process wastewater from the Operator for its own use? (please check one)

X Yes _____ No

If the answer is no, the Operator agrees to have such a written agreement with any such party for any process wastewater transferred after **31 December 2007** to such party.
_____(Operator shall provide initials here to acknowledge this requirement).

Certification:
I declare under the penalty of law that I personally examined and am familiar with the information submitted in this document, and that based on my inquiry of those individuals immediately responsible for obtaining the information, I believe that the information is true, accurate, and complete. I am aware that there are significant penalties for submitting false information, including the possibility of a fine and imprisonment for knowing violations.

Operator's Signature: Caitlin Wickstrom (Caitlin Wickstrom (Jun 10, 2024 09:45 PDT)) Date: _____

Hauler's Signature: N/A Date: _____

ATTACHMENT D

Manure/Process Wastewater Tracking Manifest
For
Existing Milk Cow Dairies

Instructions:

1) Complete one manifest for each hauling event, for each destination. A hauling event may last for several days, as long as the manure is being hauled to the same destination.
2) If there are multiple destinations, **complete a separate form for each destination**.
3) The operator must obtain the signature of the hauler upon completion of each manure-hauling event.
4) The operator shall submit copies of manure/process wastewater tracking manifest(s) with the Annual Monitoring Report for Existing Milk Cow Dairies.

Operator Information:
Name of Operator: BRENT WICKSTROM

Name of Dairy Facility: **Pinnacle Dairy**

Facility Address: **724 Ruble Rd. Crowslanding, CA 95313**

Number and Street | City | Zip Code

Contact Person Name and Phone Number: **Brent Wickstrom 209-495-7398**

Name | Phone Number

Manure/Process Wastewater Hauler Information:
Name of Hauling Company/Person:

Address of Hauling Company /Person:

Number and Street | City | Zip Code

Contact Person

Name | Phone Number

Destination Information:
Composting Facility / Broker / Farmer / Other (identify) (please circle one)

Contact information of Composting Facility, Broker, Farmer, or Other (as identified above):

Brouhard Farms 624 Ruble Rd. Crowslanding, CA 95313 (209) 678-2207

Name | Number and Street | City | Zip Code | Phone Number

Manure/Process Wastewater Destination Address or Assessor's Parcel Number:

058-005-016

Number and Street | City | Zip Code | Assessor's Parcel Number

Dates Hauled: 7/17/23

Amount Hauled:
Enter the amount of manure hauled in tons or cubic yards (indicate the units used), the manure solids content (if amount reported in tons) or manure density (if amount reported in cubic yards), and the method used to calculate the amount:

Manure: Tons or Cubic Yards (indicate which units used)

Manure Solids Content (if amount reported in tons):

Manure Density (if amount reported in cubic yards):

Method used to determine amount of manure: _____

_____

Enter the amount of process wastewater hauled in gallons and the method used to determine the amount.

Process Wastewater: 120,000 Gallons

Method used to determine volume of process wastewater: PD

_____

Written Agreement:
Does the Operator have a written agreement (in compliance with Land Application Specification C.2 of Waste Discharge Requirements General Order No. R5-2007-0035) with any party that receives process wastewater from the Operator for its own use? (please check one)

X Yes _____ No

If the answer is no, the Operator agrees to have such a written agreement with any such party for any process wastewater transferred after **31 December 2007** to such party.
_____(Operator shall provide initials here to acknowledge this requirement).

Certification:
I declare under the penalty of law that I personally examined and am familiar with the information submitted in this document, and that based on my inquiry of those individuals immediately responsible for obtaining the information, I believe that the information is true, accurate, and complete. I am aware that there are significant penalties for submitting false information, including the possibility of a fine and imprisonment for knowing violations.

Operator's Signature: Caitlin Wickstrom (Caitlin Wickstrom (Jun 10, 2024 09:45 PDT)) Date: _____

Hauler's Signature: N/A Date: _____

ATTACHMENT D

Manure/Process Wastewater Tracking Manifest
For
Existing Milk Cow Dairies

Instructions:

1) Complete one manifest for each hauling event, for each destination. A hauling event may last for several days, as long as the manure is being hauled to the same destination.
2) If there are multiple destinations, **complete a separate form for each destination**.
3) The operator must obtain the signature of the hauler upon completion of each manure-hauling event.
4) The operator shall submit copies of manure/process wastewater tracking manifest(s) with the Annual Monitoring Report for Existing Milk Cow Dairies.

Operator Information:
Name of Operator: Brent Wickstrom

Name of Dairy Facility: **Pinnacle Dairy**

Facility Address: **724 Ruble Rd. Crowslanding, CA 95313**

Number and Street | City | Zip Code

Contact Person Name and Phone Number: **Brent Wickstrom 209-495-7398**

Name | Phone Number

Manure/Process Wastewater Hauler Information:
Name of Hauling Company/Person:

Address of Hauling Company /Person:

Number and Street | City | Zip Code

Contact Person

Name | Phone Number

Destination Information:
Composting Facility / Broker / Farmer / Other (identify) (please circle one)

Contact information of Composting Facility, Broker, Farmer, or Other (as identified above):

Brouhard Farms 624 Ruble Rd. Crowslanding, CA 95313 (209) 678-2207

Name | Number and Street | City | Zip Code | Phone Number

Manure/Process Wastewater Destination Address or Assessor's Parcel Number:

058-005-016

Number and Street | City | Zip Code | Assessor's Parcel Number

Dates Hauled: 7/28/23

Amount Hauled:
Enter the amount of manure hauled in tons or cubic yards (indicate the units used), the manure solids content (if amount reported in tons) or manure density (if amount reported in cubic yards), and the method used to calculate the amount:

Manure: Tons or Cubic Yards (indicate which units used)

Manure Solids Content (if amount reported in tons):

Manure Density (if amount reported in cubic yards):

Method used to determine amount of manure: _____

_____

Enter the amount of process wastewater hauled in gallons and the method used to determine the amount.

Process Wastewater: 120,000 Gallons

Method used to determine volume of process wastewater: PD

_____

Written Agreement:
Does the Operator have a written agreement (in compliance with Land Application Specification C.2 of Waste Discharge Requirements General Order No. R5-2007-0035) with any party that receives process wastewater from the Operator for its own use? (please check one)

X Yes _____ No

If the answer is no, the Operator agrees to have such a written agreement with any such party for any process wastewater transferred after **31 December 2007** to such party.
_____(Operator shall provide initials here to acknowledge this requirement).

Certification:
I declare under the penalty of law that I personally examined and am familiar with the information submitted in this document, and that based on my inquiry of those individuals immediately responsible for obtaining the information, I believe that the information is true, accurate, and complete. I am aware that there are significant penalties for submitting false information, including the possibility of a fine and imprisonment for knowing violations.

Operator's Signature: Caitlin Wickstrom Caitlin Wickstrom (Jun 10, 2024 09:45 PDT) Date: _____

Hauler's Signature: N/A Date: _____

ATTACHMENT D

Manure/Process Wastewater Tracking Manifest
For
Existing Milk Cow Dairies

Instructions:

1) Complete one manifest for each hauling event, for each destination. A hauling event may last for several days, as long as the manure is being hauled to the same destination.
2) If there are multiple destinations, **complete a separate form for each destination**.
3) The operator must obtain the signature of the hauler upon completion of each manure-hauling event.
4) The operator shall submit copies of manure/process wastewater tracking manifest(s) with the Annual Monitoring Report for Existing Milk Cow Dairies.

Operator Information:
Name of Operator: Brent Wickstrom

Name of Dairy Facility: **Pinnacle Dairy**

Facility Address: **724 Ruble Rd. Crowslanding, CA 95313**

Number and Street | City | Zip Code

Contact Person Name and Phone Number: **Brent Wickstrom 209-495-7398**

Name | Phone Number

Manure/Process Wastewater Hauler Information:
Name of Hauling Company/Person:

Address of Hauling Company /Person:

Number and Street | City | Zip Code

Contact Person

Name | Phone Number

Destination Information:
Composting Facility / Broker / Farmer / Other (identify) (please circle one)

Contact information of Composting Facility, Broker, Farmer, or Other (as identified above):

Brouhard Farms 624 Ruble Rd. Crowslanding, CA 95313 (209) 678-2207

Name | Number and Street | City | Zip Code | Phone Number

Manure/Process Wastewater Destination Address or Assessor's Parcel Number:

058-005-016

Number and Street | City | Zip Code | Assessor's Parcel Number

Dates Hauled: 8/8/23

Amount Hauled:
Enter the amount of manure hauled in tons or cubic yards (indicate the units used), the manure solids content (if amount reported in tons) or manure density (if amount reported in cubic yards), and the method used to calculate the amount:

Manure: Tons or Cubic Yards (indicate which units used)

Manure Solids Content (if amount reported in tons):

Manure Density (if amount reported in cubic yards):

Method used to determine amount of manure: _____

_____

Enter the amount of process wastewater hauled in gallons and the method used to determine the amount.

Process Wastewater: 120,000 Gallons

Method used to determine volume of process wastewater: PO

_____

Written Agreement:
Does the Operator have a written agreement (in compliance with Land Application Specification C.2 of Waste Discharge Requirements General Order No. R5-2007-0035) with any party that receives process wastewater from the Operator for its own use? (please check one)

X Yes _____ No

If the answer is no, the Operator agrees to have such a written agreement with any such party for any process wastewater transferred after **31 December 2007** to such party.
_____(Operator shall provide initials here to acknowledge this requirement).

Certification:
I declare under the penalty of law that I personally examined and am familiar with the information submitted in this document, and that based on my inquiry of those individuals immediately responsible for obtaining the information, I believe that the information is true, accurate, and complete. I am aware that there are significant penalties for submitting false information, including the possibility of a fine and imprisonment for knowing violations.

Operator's Signature: Caitlin Wickstrom
Caitlin Wickstrom (Jun 10, 2024 09:45 PDT) Date: _____

Hauler's Signature: N/A Date: _____

ATTACHMENT D

Manure/Process Wastewater Tracking Manifest
For
Existing Milk Cow Dairies

Instructions:

1) Complete one manifest for each hauling event, for each destination. A hauling event may last for several days, as long as the manure is being hauled to the same destination.
2) If there are multiple destinations, **complete a separate form for each destination**.
3) The operator must obtain the signature of the hauler upon completion of each manure-hauling event.
4) The operator shall submit copies of manure/process wastewater tracking manifest(s) with the Annual Monitoring Report for Existing Milk Cow Dairies.

Operator Information:
Name of Operator: Brent Wickstrom

Name of Dairy Facility: **Pinnacle Dairy**

Facility Address: **724 Ruble Rd. Crowslanding, CA 95313**

Number and Street | City | Zip Code

Contact Person Name and Phone Number: **Brent Wickstrom 209-495-7398**

Name | Phone Number

Manure/Process Wastewater Hauler Information:
Name of Hauling Company/Person:

Address of Hauling Company /Person:

Number and Street | City | Zip Code

Contact Person

Name | Phone Number

Destination Information:
Composting Facility / Broker / Farmer / Other (identify) (please circle one)

Contact information of Composting Facility, Broker, Farmer, or Other (as identified above):

Brouhard Farms 624 Ruble Rd. Crowslanding, CA 95313 (209) 678-2207

Name | Number and Street | City | Zip Code | Phone Number

Manure/Process Wastewater Destination Address or Assessor's Parcel Number:

058-005-016

Number and Street | City | Zip Code | Assessor's Parcel Number

Dates Hauled: 8/17/23

Amount Hauled:
Enter the amount of manure hauled in tons or cubic yards (indicate the units used), the manure solids content (if amount reported in tons) or manure density (if amount reported in cubic yards), and the method used to calculate the amount:

Manure: Tons or Cubic Yards (indicate which units used)

Manure Solids Content (if amount reported in tons):

Manure Density (if amount reported in cubic yards):

Method used to determine amount of manure: _____

_____

Enter the amount of process wastewater hauled in gallons and the method used to determine the amount.

Process Wastewater: 190,000 Gallons

Method used to determine volume of process wastewater: PO

_____

Written Agreement:
Does the Operator have a written agreement (in compliance with Land Application Specification C.2 of Waste Discharge Requirements General Order No. R5-2007-0035) with any party that receives process wastewater from the Operator for its own use? (please check one)

X Yes _____ No

If the answer is no, the Operator agrees to have such a written agreement with any such party for any process wastewater transferred after **31 December 2007** to such party.
_____(Operator shall provide initials here to acknowledge this requirement).

Certification:
I declare under the penalty of law that I personally examined and am familiar with the information submitted in this document, and that based on my inquiry of those individuals immediately responsible for obtaining the information, I believe that the information is true, accurate, and complete. I am aware that there are significant penalties for submitting false information, including the possibility of a fine and imprisonment for knowing violations.

Operator's Signature: Caitlin Wickstrom
Caitlin Wickstrom (Jun 10, 2024 09:45 PDT) Date: _____

Hauler's Signature: N/A Date: _____

ATTACHMENT D

Manure/Process Wastewater Tracking Manifest
For
Existing Milk Cow Dairies

Instructions:

1) Complete one manifest for each hauling event, for each destination. A hauling event may last for several days, as long as the manure is being hauled to the same destination.
2) If there are multiple destinations, **complete a separate form for each destination**.
3) The operator must obtain the signature of the hauler upon completion of each manure-hauling event.
4) The operator shall submit copies of manure/process wastewater tracking manifest(s) with the Annual Monitoring Report for Existing Milk Cow Dairies.

Operator Information:
Name of Operator: Brent Wickstrom

Name of Dairy Facility: **Pinnacle Dairy**

Facility Address: **724 Ruble Rd. Crowslanding, CA 95313**

Number and Street | City | Zip Code

Contact Person Name and Phone Number: **Brent Wickstrom 209-495-7398**

Name | Phone Number

Manure/Process Wastewater Hauler Information:
Name of Hauling Company/Person:

Address of Hauling Company /Person:

Number and Street | City | Zip Code

Contact Person

Name | Phone Number

Destination Information:
Composting Facility / Broker / Farmer / Other (identify) (please circle one)

Contact information of Composting Facility, Broker, Farmer, or Other (as identified above):

Brouhard Farms 624 Ruble Rd. Crowslanding, CA 95313 (209) 678-2207

Name | Number and Street | City | Zip Code | Phone Number

Manure/Process Wastewater Destination Address or Assessor's Parcel Number:

058-005-016

Number and Street | City | Zip Code | Assessor's Parcel Number

Dates Hauled: 10/14/23

Amount Hauled:
Enter the amount of manure hauled in tons or cubic yards (indicate the units used), the manure solids content (if amount reported in tons) or manure density (if amount reported in cubic yards), and the method used to calculate the amount:

Manure: Tons or Cubic Yards (indicate which units used)

Manure Solids Content (if amount reported in tons):

Manure Density (if amount reported in cubic yards):

Method used to determine amount of manure: _____

_____

Enter the amount of process wastewater hauled in gallons and the method used to determine the amount.

Process Wastewater: 1900,000 Gallons

Method used to determine volume of process wastewater: PO

_____

Written Agreement:
Does the Operator have a written agreement (in compliance with Land Application Specification C.2 of Waste Discharge Requirements General Order No. R5-2007-0035) with any party that receives process wastewater from the Operator for its own use? (please check one)

X Yes _____ No

If the answer is no, the Operator agrees to have such a written agreement with any such party for any process wastewater transferred after **31 December 2007** to such party.
_____(Operator shall provide initials here to acknowledge this requirement).

Certification:
I declare under the penalty of law that I personally examined and am familiar with the information submitted in this document, and that based on my inquiry of those individuals immediately responsible for obtaining the information, I believe that the information is true, accurate, and complete. I am aware that there are significant penalties for submitting false information, including the possibility of a fine and imprisonment for knowing violations.

Operator's Signature: Caitlin Wickstrom (Jun 10, 2024 09:45 PDT) Date: _____

Hauler's Signature: N/A Date: _____

ATTACHMENT D

Manure/Process Wastewater Tracking Manifest
For
Existing Milk Cow Dairies

Instructions:

1) Complete one manifest for each hauling event, for each destination. A hauling event may last for several days, as long as the manure is being hauled to the same destination.
2) If there are multiple destinations, **complete a separate form for each destination.**
3) The operator must obtain the signature of the hauler upon completion of each manure-hauling event.
4) The operator shall submit copies of manure/process wastewater tracking manifest(s) with the Annual Monitoring Report for Existing Milk Cow Dairies.

Operator Information:
Name of Operator: Brent Wickstrom

Name of Dairy Facility: **Pinnacle Dairy**

Facility Address: **724 Ruble Rd. Crowslanding, CA 95313**

Number and Street | City | Zip Code

Contact Person Name and Phone Number: **Brent Wickstrom 209-495-7398**

Name | Phone Number

Manure/Process Wastewater Hauler Information:
Name of Hauling Company/Person:

Address of Hauling Company /Person:

Number and Street | City | Zip Code

Contact Person

Name | Phone Number

Destination Information:
Composting Facility / Broker / Farmer / Other (identify) (please circle one)

Contact information of Composting Facility, Broker, Farmer, or Other (as identified above):

Brouhard Farms 624 Ruble Rd. Crowslanding, CA 95313 (209) 678-2207

Name | Number and Street | City | Zip Code | Phone Number

Manure/Process Wastewater Destination Address or Assessor's Parcel Number:

058-005-016

Number and Street | City | Zip Code | Assessor's Parcel Number

Dates Hauled: 11/18/23

Amount Hauled:
Enter the amount of manure hauled in tons or cubic yards (indicate the units used), the manure solids content (if amount reported in tons) or manure density (if amount reported in cubic yards), and the method used to calculate the amount:

Manure: Tons or Cubic Yards (indicate which units used)

Manure Solids Content (if amount reported in tons):

Manure Density (if amount reported in cubic yards):

Method used to determine amount of manure: _____

_____

Enter the amount of process wastewater hauled in gallons and the method used to determine the amount.

Process Wastewater: 120,000 Gallons

Method used to determine volume of process wastewater: PO

_____

Written Agreement:
Does the Operator have a written agreement (in compliance with Land Application Specification C.2 of Waste Discharge Requirements General Order No. R5-2007-0035) with any party that receives process wastewater from the Operator for its own use? (please check one)

X Yes _____ No

If the answer is no, the Operator agrees to have such a written agreement with any such party for any process wastewater transferred after **31 December 2007** to such party.
_____(Operator shall provide initials here to acknowledge this requirement).

Certification:
I declare under the penalty of law that I personally examined and am familiar with the information submitted in this document, and that based on my inquiry of those individuals immediately responsible for obtaining the information, I believe that the information is true, accurate, and complete. I am aware that there are significant penalties for submitting false information, including the possibility of a fine and imprisonment for knowing violations.

Operator's Signature: Caitlin Wickstrom (Caitlin Wickstrom (Jun 10, 2024 09:45 PDT)) Date: _____

Hauler's Signature: N/A Date: _____

2023 Annual Report- Pinnacle Dairy

Final Audit Report 2024-06-10

Created:	2024-06-07
By:	Kristen Jones (kjones@fragservices.com)
Status:	Signed
Transaction ID:	CBJCHBCAABAADtiM3XaWwK2am8d_iGK71VM_jrsZ7A_e

"2023 Annual Report- Pinnacle Dairy" History

Document created by Kristen Jones (kjones@fragservices.com)
2024-06-07 - 8:01:10 PM GMT

Document emailed to Kevin Blount (blountdairy@gmail.com) for signature
2024-06-07 - 8:05:47 PM GMT

Email viewed by Kevin Blount (blountdairy@gmail.com)
2024-06-07 - 9:21:24 PM GMT

Document e-signed by Kevin Blount (blountdairy@gmail.com)
Signature Date: 2024-06-08 - 12:49:57 PM GMT - Time Source: server

Document emailed to pinnacledairylp@gmail.com for signature
2024-06-08 - 12:50:00 PM GMT

Email viewed by pinnacledairylp@gmail.com
2024-06-08 - 3:45:54 PM GMT

Signer pinnacledairylp@gmail.com entered name at signing as Caitlin Wickstrom
2024-06-10 - 4:45:56 PM GMT

Document e-signed by Caitlin Wickstrom (pinnacledairylp@gmail.com)
Signature Date: 2024-06-10 - 4:45:58 PM GMT - Time Source: server

Agreement completed.
2024-06-10 - 4:45:58 PM GMT

Adobe Acrobat Sign