Annual Report - General Order No. R5-2007-0035
Reporting period 01/01/2023 to 12/31/2023.

DAIRY FACILITY INFORMATION

A. NAME OF DAIRY OR BUSINESS OPERATING THE DAIRY: T & C Louters Dairy

Physical address of dairy:

921 W Sandy Mush RD	Merced	Merced	95341
Number and Street	City	County	Zip Code

Street and nearest cross street (if no address):

Date facility was originally placed in operation: 01/01/1992

Regional Water Quality Control Board Basin Plan designation: San Joaquin River Basin

County Assessor Parcel Number(s) for dairy facility:

X074-X009-X006-XXXX

B. OPERATORS

Louters, Tony

Operator name: Louters, Tony

Telephone no.: (209) 726-3636 Landline, (209) 564-6738 Cellular

525 W Sandy Mush RD	Merced	CA	95341
Mailing Address Number and Street	City	State	Zip Code

This operator is responsible for paying permit fees.

C. OWNERS

Louters, Tony

Legal owner name: Louters, Tony

Telephone no.: (209) 726-3636 Landline, (209) 564-6738 Cellular

525 W Sandy Mush RD	Merced	CA	95341
Mailing Address Number and Street	City	State	Zip Code

This owner is responsible for paying permit fees.

Annual Report - General Order No. R5-2007-0035
Reporting period 01/01/2023 to 12/31/2023.

AVAILABLE NUTRIENTS

A. HERD INFORMATION

	Milk Cows	Dry Cows	Bred Heifers (15-24 mo.)	Heifers (7-14 mo. to breeding)	Calves (4-6 mo.)	Calves (0-3 mo.)
Number open confinement	0	100	85	150	0	0
Number under roof	600	0	0	0	0	0
Maximum number	650	100	85	150	0	0
Average number	600	100	85	150	0	0
Avg live weight (lbs)	1,400	1,500	1,100	775		

Predominant milk cow breed: Holstein

Average milk production: 75 *pounds per cow per day*

B. MANURE GENERATED

Total manure excreted by the herd: 19,599.90 *tons per reporting period*

Total nitrogen from manure: 246,382.94 *lbs per reporting period*

After ammonia losses (30% loss applied): 172,468.06 *lbs per reporting period*

Total phosphorus from manure: 41,096.24 *lbs per reporting period*

Total potassium from manure: 116,876.54 *lbs per reporting period*

Total salt from manure: 305,505.00 *lbs per reporting period*

C. PROCESS WASTEWATER GENERATED

Process wastewater generated: 10,462,500 *gallons*

Total nitrogen generated: 86,814.25 *lbs*

Total phosphorus generated: 12,929.70 *lbs*

Total potassium generated: 47,926.19 *lbs*

Total salt generated: 297,010.23 *lbs*

	10,462,500	*gallons applied*
+	0	*gallons exported*
-	0	*gallons imported*
=	10,462,500	*gallons generated*

D. FRESH WATER SOURCES

Source Description	Type
Irrigation Wells	Ground water

E. SUBSURFACE (TILE) DRAINAGE SOURCES

No subsurface (tile) drainage sources entered.

F. NUTRIENT IMPORTS

No dry manure nutrient imports entered.

No process wastewater nutrient imports entered.

No commercial or other nutrient imports entered.

G. NUTRIENT EXPORTS

Date	Material type	Quantity	Reporting basis	Moisture (%)	Density (lbs/cu ft)	N (mg/kg)	P (mg/kg)	K (mg/kg)	Salt (mg/kg)	TFS (%)
01/24/2023	Separator solids	48.00 *ton*	Dry-weight	75.2		22,300.00	3,200.00	4,300.00		16.00
02/02/2023	Corral solids	94.00 *ton*	Dry-weight	20.3		26,700.00	8,100.00	21,500.00		30.70
02/06/2023	Corral solids	172.00 *ton*	Dry-weight	20.3		26,700.00	8,100.00	21,500.00		30.70
02/15/2023	Separator solids	585.00 *ton*	Dry-weight	75.2		22,300.00	3,200.00	4,300.00		16.00
03/06/2023	Separator solids	25.00 *ton*	Dry-weight	75.2		22,300.00	3,200.00	4,300.00		16.00
03/07/2023	Separator solids	1,252.00 *ton*	Dry-weight	75.2		22,300.00	3,200.00	4,300.00		16.00
03/18/2023	Corral solids	404.00 *ton*	Dry-weight	20.3		26,700.00	8,100.00	21,500.00		30.70
03/20/2023	Corral solids	50.00 *ton*	Dry-weight	20.3		26,700.00	8,100.00	21,500.00		30.70
03/20/2023	Separator solids	125.00 *ton*	Dry-weight	75.2		22,300.00	3,200.00	4,300.00		16.00
09/25/2023	Separator solids	25.00 *ton*	Dry-weight	75.7		16,500.00	1,500.00	2,700.00		7.70
11/14/2023	Corral solids	25.00 *ton*	Dry-weight	43.7		24,900.00	7,500.00	22,400.00		22.70
11/16/2023	Separator solids	581.00 *ton*	Dry-weight	75.7		16,500.00	1,500.00	2,700.00		7.70
11/16/2023	Corral solids	175.00 *ton*	Dry-weight	43.7		24,900.00	7,500.00	22,400.00		22.70

No liquid nutrient exports entered.

Material type	Total N (lbs)	Total P (lbs)	Total K (lbs)	Total salt (lbs)
Dry manure	63,618.78	14,656.93	34,855.04	587,633.49
Process wastewater	0.00	0.00	0.00	0.00
Total exports for all materials	63,618.78	14,656.93	34,855.04	587,633.49

APPLICATION AREA

A. LIST OF LAND APPLICATION AREAS

Field name	Controlled acres	Cropable acres	Total harvests	Type of waste applied	Parcel number
FIELD 1	43	43	2	process wastewater	X074-X090-X006-XXXX
FIELD 2	89	89	2	process wastewater	X074-X090-X006-XXXX
Totals for areas that were used for application	132	132	4		
Totals for areas that were not used for application					
Land application area totals	132	132	4		

B. CROPS AND HARVESTS

FIELD 1

Field name: FIELD 1

11/02/2022: Wheat, silage, soft dough

Crop: Wheat, silage, soft dough Acres planted: 43 Plant date: 11/02/2022

Harvest date	Yield	Reporting basis	Density (lbs/cu ft)	Moisture (%)	N (mg/kg)	P (mg/kg)	K (mg/kg)	Salt (mg/kg)	TFS (%)
04/13/2023	823.00 *ton*	As-is		64.6	8,100.00	1,400.00	10,900.00		13.60

	Yield (tons/acre)	Total N (lbs/acre)	Total P (lbs/acre)	Total K (lbs/acre)	Salt (lbs/acre)
Anticipated harvest content	14.00	154.00	23.80	116.20	0.00
Total actual harvest content	19.14	310.06	53.59	417.24	1,842.91

05/13/2023: Corn, silage

Crop: Corn, silage Acres planted: 43 Plant date: 05/13/2023

Harvest date	Yield	Reporting basis	Density (lbs/cu ft)	Moisture (%)	N (mg/kg)	P (mg/kg)	K (mg/kg)	Salt (mg/kg)	TFS (%)
08/22/2023	1,319.00 *ton*	As-is		69.5	4,200.00	700.00	6,200.00		8.90

	Yield (tons/acre)	Total N (lbs/acre)	Total P (lbs/acre)	Total K (lbs/acre)	Salt (lbs/acre)
Anticipated harvest content	24.00	192.00	36.00	158.40	0.00
Total actual harvest content	30.67	257.67	42.94	380.36	1,665.31

FIELD 2

FIELD 2

Field name: FIELD 2

11/03/2022: Wheat, silage, soft dough

Crop: Wheat, silage, soft dough Acres planted: 89 Plant date: 11/03/2022

Harvest date	Yield	Reporting basis	Density (lbs/cu ft)	Moisture (%)	N (mg/kg)	P (mg/kg)	K (mg/kg)	Salt (mg/kg)	TFS (%)
04/21/2023	1,245.00 *ton*	As-is		61.5	8,900.00	1,400.00	10,500.00		11.00

	Yield (tons/acre)	Total N (lbs/acre)	Total P (lbs/acre)	Total K (lbs/acre)	Salt (lbs/acre)
Anticipated harvest content	14.00	154.00	23.80	116.20	0.00
Total actual harvest content	13.99	249.00	39.17	293.76	1,184.85

05/22/2023: Corn, silage

Crop: Corn, silage Acres planted: 89 Plant date: 05/22/2023

Harvest date	Yield	Reporting basis	Density (lbs/cu ft)	Moisture (%)	N (mg/kg)	P (mg/kg)	K (mg/kg)	Salt (mg/kg)	TFS (%)
09/14/2023	2,450.00 *ton*	As-is		72.3	4,600.00	700.00	6,300.00		9.90

	Yield (tons/acre)	Total N (lbs/acre)	Total P (lbs/acre)	Total K (lbs/acre)	Salt (lbs/acre)
Anticipated harvest content	24.00	192.00	36.00	158.40	0.00
Total actual harvest content	27.53	253.26	38.54	346.85	1,509.81

NUTRIENT BUDGET

A. LAND APPLICATIONS

FIELD 1 - 11/02/2022: Wheat, silage, soft dough

Field name: FIELD 1

Crop: Wheat, silage, soft dough — Plant date: 11/02/2022

Application date	Application method	Precipitation 24 hours prior	Precipitation during application	Precipitation 24 hours following
10/27/2022	Towed tank	No precipitation	No precipitation	No precipitation

Source description	Material type	N (lbs/acre)	P (lbs/acre)	K (lbs/acre)	Salt (lbs/acre)	Amount
Slurry	Process wastewater sludge	264.66	39.16	68.45	408.19	427,500.00 *gal*
Application event totals		264.66	39.16	68.45	408.19	

Application date	Application method	Precipitation 24 hours prior	Precipitation during application	Precipitation 24 hours following
02/01/2023	Surface (irrigation)	No precipitation	No precipitation	No precipitation

Source description	Material type	N (lbs/acre)	P (lbs/acre)	K (lbs/acre)	Salt (lbs/acre)	Amount
WWS	Process wastewater	53.38	6.01	38.29	335.35	360,000.00 *gal*
Application event totals		53.38	6.01	38.29	335.35	

FIELD 1 - 05/13/2023: Corn, silage

Field name: FIELD 1

Crop: Corn, silage — Plant date: 05/13/2023

Application date	Application method	Precipitation 24 hours prior	Precipitation during application	Precipitation 24 hours following
04/28/2023	Surface (irrigation)	No precipitation	No precipitation	No precipitation

Source description	Material type	N (lbs/acre)	P (lbs/acre)	K (lbs/acre)	Salt (lbs/acre)	Amount
WWS	Process wastewater	117.27	10.83	95.10	641.36	810,000.00 *gal*
Irrigation Wells	Ground water	0.00	0.00	0.00	1,283.90	16,416,000.00 *gal*
Application event totals		117.27	10.83	95.10	1,925.26	

Application date	Application method	Precipitation 24 hours prior	Precipitation during application	Precipitation 24 hours following
06/06/2023	Surface (irrigation)	No precipitation	No precipitation	No precipitation

Source description	Material type	N (lbs/acre)	P (lbs/acre)	K (lbs/acre)	Salt (lbs/acre)	Amount
Irrigation Wells	Ground water	0.00	0.00	0.00	1,069.91	13,680,000.00 *gal*
Application event totals		0.00	0.00	0.00	1,069.91	

FIELD 1 - 05/13/2023: Corn, silage

Application date	Application method	Precipitation 24 hours prior	Precipitation during application	Precipitation 24 hours following
06/16/2023	Surface (irrigation)	No precipitation	No precipitation	No precipitation

Source description	Material type	N (lbs/acre)	P (lbs/acre)	K (lbs/acre)	Salt (lbs/acre)	Amount
WWS	Process wastewater	68.22	12.47	48.94	267.23	540,000.00 *gal*
Irrigation Wells	Ground water	0.00	0.00	0.00	213.98	2,736,000.00 *gal*
Application event totals		68.22	12.47	48.94	481.22	

Application date	Application method	Precipitation 24 hours prior	Precipitation during application	Precipitation 24 hours following
06/22/2023	Surface (irrigation)	No precipitation	No precipitation	No precipitation

Source description	Material type	N (lbs/acre)	P (lbs/acre)	K (lbs/acre)	Salt (lbs/acre)	Amount
WWS	Process wastewater	68.22	12.47	48.94	267.23	540,000.00 *gal*
Irrigation Wells	Ground water	0.00	0.00	0.00	320.97	4,104,000.00 *gal*
Application event totals		68.22	12.47	48.94	588.21	

Application date	Application method	Precipitation 24 hours prior	Precipitation during application	Precipitation 24 hours following
06/28/2023	Surface (irrigation)	No precipitation	No precipitation	No precipitation

Source description	Material type	N (lbs/acre)	P (lbs/acre)	K (lbs/acre)	Salt (lbs/acre)	Amount
Irrigation Wells	Ground water	0.00	0.00	0.00	106.99	1,368,000.00 *gal*
Application event totals		0.00	0.00	0.00	106.99	

Application date	Application method	Precipitation 24 hours prior	Precipitation during application	Precipitation 24 hours following
07/01/2023	Surface (irrigation)	No precipitation	No precipitation	No precipitation

Source description	Material type	N (lbs/acre)	P (lbs/acre)	K (lbs/acre)	Salt (lbs/acre)	Amount
Irrigation Wells	Ground water	0.00	0.00	0.00	427.97	5,472,000.00 *gal*
Application event totals		0.00	0.00	0.00	427.97	

Application date	Application method	Precipitation 24 hours prior	Precipitation during application	Precipitation 24 hours following
07/10/2023	Surface (irrigation)	No precipitation	No precipitation	No precipitation

Source description	Material type	N (lbs/acre)	P (lbs/acre)	K (lbs/acre)	Salt (lbs/acre)	Amount
WWS	Process wastewater	45.48	8.31	32.63	178.16	360,000.00 *gal*
Irrigation Wells	Ground water	0.00	0.00	0.00	106.99	1,368,000.00 *gal*
Application event totals		45.48	8.31	32.63	285.15	

FIELD 1 - 05/13/2023: Corn, silage

Application date	Application method	Precipitation 24 hours prior	Precipitation during application	Precipitation 24 hours following
07/14/2023	Surface (irrigation)	No precipitation	No precipitation	No precipitation

Source description	Material type	N (lbs/acre)	P (lbs/acre)	K (lbs/acre)	Salt (lbs/acre)	Amount
WWS	Process wastewater	45.48	8.31	32.63	178.16	360,000.00 *gal*
Irrigation Wells	Ground water	0.00	0.00	0.00	213.98	2,736,000.00 *gal*
Application event totals		45.48	8.31	32.63	392.14	

Application date	Application method	Precipitation 24 hours prior	Precipitation during application	Precipitation 24 hours following
07/22/2023	Surface (irrigation)	No precipitation	No precipitation	No precipitation

Source description	Material type	N (lbs/acre)	P (lbs/acre)	K (lbs/acre)	Salt (lbs/acre)	Amount
Irrigation Wells	Ground water	0.00	0.00	0.00	106.99	1,368,000.00 *gal*
Application event totals		0.00	0.00	0.00	106.99	

Application date	Application method	Precipitation 24 hours prior	Precipitation during application	Precipitation 24 hours following
07/26/2023	Surface (irrigation)	No precipitation	No precipitation	No precipitation

Source description	Material type	N (lbs/acre)	P (lbs/acre)	K (lbs/acre)	Salt (lbs/acre)	Amount
Irrigation Wells	Ground water	0.00	0.00	0.00	534.96	6,840,000.00 *gal*
Application event totals		0.00	0.00	0.00	534.96	

Application date	Application method	Precipitation 24 hours prior	Precipitation during application	Precipitation 24 hours following
08/04/2023	Surface (irrigation)	No precipitation	No precipitation	No precipitation

Source description	Material type	N (lbs/acre)	P (lbs/acre)	K (lbs/acre)	Salt (lbs/acre)	Amount
Irrigation Wells	Ground water	0.00	0.00	0.00	213.98	2,736,000.00 *gal*
Application event totals		0.00	0.00	0.00	213.98	

Application date	Application method	Precipitation 24 hours prior	Precipitation during application	Precipitation 24 hours following
08/09/2023	Surface (irrigation)	No precipitation	No precipitation	No precipitation

Source description	Material type	N (lbs/acre)	P (lbs/acre)	K (lbs/acre)	Salt (lbs/acre)	Amount
Irrigation Wells	Ground water	0.00	0.00	0.00	213.98	2,736,000.00 *gal*
Application event totals		0.00	0.00	0.00	213.98	

FIELD 2 - 11/03/2022: Wheat, silage, soft dough

Field name: FIELD 2

Crop: Wheat, silage, soft dough

Plant date: 11/03/2022

Application date	Application method	Precipitation 24 hours prior	Precipitation during application	Precipitation 24 hours following

FIELD 2 - 11/03/2022: Wheat, silage, soft dough

Application date	Application method	Precipitation 24 hours prior	Precipitation during application	Precipitation 24 hours following
10/27/2022	Towed tank	No precipitation	No precipitation	No precipitation

Source description	Material type	N (lbs/acre)	P (lbs/acre)	K (lbs/acre)	Salt (lbs/acre)	Amount
Slurry	Process wastewater sludge	255.74	37.84	66.14	394.43	855,000.00 *gal*
Application event totals		255.74	37.84	66.14	394.43	

02/08/2023	Surface (irrigation)	No precipitation	No precipitation	No precipitation

Source description	Material type	N (lbs/acre)	P (lbs/acre)	K (lbs/acre)	Salt (lbs/acre)	Amount
WWS	Process wastewater	51.58	5.81	37.00	324.05	720,000.00 *gal*
Application event totals		51.58	5.81	37.00	324.05	

FIELD 2 - 05/22/2023: Corn, silage

Field name: FIELD 2

Crop: Corn, silage

Plant date: 05/22/2023

Application date	Application method	Precipitation 24 hours prior	Precipitation during application	Precipitation 24 hours following
05/06/2023	Surface (irrigation)	No precipitation	No precipitation	No precipitation

Source description	Material type	N (lbs/acre)	P (lbs/acre)	K (lbs/acre)	Salt (lbs/acre)	Amount
WWS	Process wastewater	100.73	9.30	81.69	550.88	1,440,000.00 *gal*
Irrigation Wells	Ground water	0.00	0.00	0.00	1,085.54	28,728,000.00 *gal*
Application event totals		100.73	9.30	81.69	1,636.42	

06/18/2023	Surface (irrigation)	No precipitation	No precipitation	No precipitation

Source description	Material type	N (lbs/acre)	P (lbs/acre)	K (lbs/acre)	Salt (lbs/acre)	Amount
Irrigation Wells	Ground water	0.00	0.00	0.00	206.77	5,472,000.00 *gal*
Application event totals		0.00	0.00	0.00	206.77	

06/24/2023	Surface (irrigation)	No precipitation	No precipitation	No precipitation

Source description	Material type	N (lbs/acre)	P (lbs/acre)	K (lbs/acre)	Salt (lbs/acre)	Amount
Irrigation Wells	Ground water	0.00	0.00	0.00	206.77	5,472,000.00 *gal*
Application event totals		0.00	0.00	0.00	206.77	

FIELD 2 - 05/22/2023: Corn, silage

Application date	Application method	Precipitation 24 hours prior	Precipitation during application	Precipitation 24 hours following
06/29/2023	Surface (irrigation)	No precipitation	No precipitation	No precipitation

Source description	Material type	N (lbs/acre)	P (lbs/acre)	K (lbs/acre)	Salt (lbs/acre)	Amount
WWS	Process wastewater	49.44	9.04	35.47	193.67	810,000.00 *gal*
Irrigation Wells	Ground water	0.00	0.00	0.00	103.38	2,736,000.00 *gal*
Application event totals		49.44	9.04	35.47	297.05	

Application date	Application method	Precipitation 24 hours prior	Precipitation during application	Precipitation 24 hours following
07/05/2023	Surface (irrigation)	No precipitation	No precipitation	No precipitation

Source description	Material type	N (lbs/acre)	P (lbs/acre)	K (lbs/acre)	Salt (lbs/acre)	Amount
Irrigation Wells	Ground water	0.00	0.00	0.00	155.08	4,104,000.00 *gal*
Application event totals		0.00	0.00	0.00	155.08	

Application date	Application method	Precipitation 24 hours prior	Precipitation during application	Precipitation 24 hours following
07/08/2023	Surface (irrigation)	No precipitation	No precipitation	No precipitation

Source description	Material type	N (lbs/acre)	P (lbs/acre)	K (lbs/acre)	Salt (lbs/acre)	Amount
WWS	Process wastewater	49.44	9.04	35.47	193.67	810,000.00 *gal*
Irrigation Wells	Ground water	0.00	0.00	0.00	103.38	2,736,000.00 *gal*
Application event totals		49.44	9.04	35.47	297.05	

Application date	Application method	Precipitation 24 hours prior	Precipitation during application	Precipitation 24 hours following
07/11/2023	Surface (irrigation)	No precipitation	No precipitation	No precipitation

Source description	Material type	N (lbs/acre)	P (lbs/acre)	K (lbs/acre)	Salt (lbs/acre)	Amount
Irrigation Wells	Ground water	0.00	0.00	0.00	155.08	4,104,000.00 *gal*
Application event totals		0.00	0.00	0.00	155.08	

Application date	Application method	Precipitation 24 hours prior	Precipitation during application	Precipitation 24 hours following
07/16/2023	Surface (irrigation)	No precipitation	No precipitation	No precipitation

Source description	Material type	N (lbs/acre)	P (lbs/acre)	K (lbs/acre)	Salt (lbs/acre)	Amount
WWS	Process wastewater	49.44	9.04	35.47	193.67	810,000.00 *gal*
Irrigation Wells	Ground water	0.00	0.00	0.00	103.38	2,736,000.00 *gal*
Application event totals		49.44	9.04	35.47	297.05	

FIELD 2 - 05/22/2023: Corn, silage

Application date	Application method	Precipitation 24 hours prior	Precipitation during application	Precipitation 24 hours following
07/18/2023	Surface (irrigation)	No precipitation	No precipitation	No precipitation

Source description	Material type	N (lbs/acre)	P (lbs/acre)	K (lbs/acre)	Salt (lbs/acre)	Amount
Irrigation Wells	Ground water	0.00	0.00	0.00	206.77	5,472,000.00 *gal*
Application event totals		0.00	0.00	0.00	206.77	

07/23/2023	Surface (irrigation)	No precipitation	No precipitation	No precipitation

Source description	Material type	N (lbs/acre)	P (lbs/acre)	K (lbs/acre)	Salt (lbs/acre)	Amount
WWS	Process wastewater	32.96	6.03	23.65	129.11	540,000.00 *gal*
Irrigation Wells	Ground water	0.00	0.00	0.00	155.08	4,104,000.00 *gal*
Application event totals		32.96	6.03	23.65	284.19	

08/02/2023	Surface (irrigation)	No precipitation	No precipitation	No precipitation

Source description	Material type	N (lbs/acre)	P (lbs/acre)	K (lbs/acre)	Salt (lbs/acre)	Amount
WWS	Process wastewater	32.96	6.03	23.65	129.11	540,000.00 *gal*
Irrigation Wells	Ground water	0.00	0.00	0.00	103.38	2,736,000.00 *gal*
Application event totals		32.96	6.03	23.65	232.50	

07/31/2023	Surface (irrigation)	No precipitation	No precipitation	No precipitation

Source description	Material type	N (lbs/acre)	P (lbs/acre)	K (lbs/acre)	Salt (lbs/acre)	Amount
Irrigation Wells	Ground water	0.00	0.00	0.00	103.38	2,736,000.00 *gal*
Application event totals		0.00	0.00	0.00	103.38	

08/06/2023	Surface (irrigation)	No precipitation	No precipitation	No precipitation

Source description	Material type	N (lbs/acre)	P (lbs/acre)	K (lbs/acre)	Salt (lbs/acre)	Amount
Irrigation Wells	Ground water	0.00	0.00	0.00	155.08	4,104,000.00 *gal*
Application event totals		0.00	0.00	0.00	155.08	

FIELD 2 - 05/22/2023: Corn, silage

Application date	Application method	Precipitation 24 hours prior	Precipitation during application	Precipitation 24 hours following
08/12/2023	Surface (irrigation)	No precipitation	No precipitation	No precipitation

Source description	Material type	N (lbs/acre)	P (lbs/acre)	K (lbs/acre)	Salt (lbs/acre)	Amount
WWS	Process wastewater	32.96	6.03	23.65	129.11	540,000.00 *gal*
Irrigation Wells	Ground water	0.00	0.00	0.00	206.77	5,472,000.00 *gal*
Application event totals		32.96	6.03	23.65	335.88	

Application date	Application method	Precipitation 24 hours prior	Precipitation during application	Precipitation 24 hours following
08/16/2023	Surface (irrigation)	No precipitation	No precipitation	No precipitation

Source description	Material type	N (lbs/acre)	P (lbs/acre)	K (lbs/acre)	Salt (lbs/acre)	Amount
Irrigation Wells	Ground water	0.00	0.00	0.00	103.38	2,736,000.00 *gal*
Application event totals		0.00	0.00	0.00	103.38	

Application date	Application method	Precipitation 24 hours prior	Precipitation during application	Precipitation 24 hours following
08/18/2023	Surface (irrigation)	No precipitation	No precipitation	No precipitation

Source description	Material type	N (lbs/acre)	P (lbs/acre)	K (lbs/acre)	Salt (lbs/acre)	Amount
Irrigation Wells	Ground water	0.00	0.00	0.00	310.15	8,208,000.00 *gal*
Application event totals		0.00	0.00	0.00	310.15	

Application date	Application method	Precipitation 24 hours prior	Precipitation during application	Precipitation 24 hours following
08/24/2023	Surface (irrigation)	No precipitation	No precipitation	No precipitation

Source description	Material type	N (lbs/acre)	P (lbs/acre)	K (lbs/acre)	Salt (lbs/acre)	Amount
Irrigation Wells	Ground water	0.00	0.00	0.00	51.69	1,368,000.00 *gal*
Application event totals		0.00	0.00	0.00	51.69	

B. NUTRIENT BUDGET

FIELD 1 - 11/02/2022: Wheat, silage, soft dough

Field name: FIELD 1 Crop: Wheat, silage, soft dough Plant date: 11/02/2022

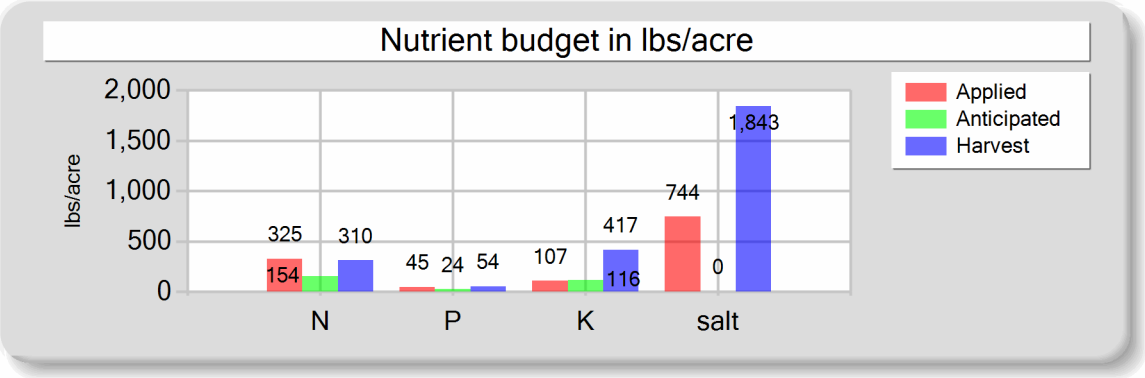

	Total N (lbs/acre)	Total P (lbs/acre)	Total K (lbs/acre)	Total salt (lbs/acre)
Existing soil nutrient content	0.00	0.00	0.00	0.00
Plowdown credit	0.00	0.00	0.00	0.00
Commercial fertilizer / Other	0.00	0.00	0.00	0.00
Dry manure	0.00	0.00	0.00	0.00
Process wastewater	318.03	45.17	106.73	743.54
Fresh water	0.00	0.00	0.00	0.00
Atmospheric deposition	7.00	0.00	0.00	0.00
Total nutrients applied	325.03	45.17	106.73	743.54
Anticipated crop nutrient removal	154.00	23.80	116.20	0.00
Actual crop nutrient removal	310.06	53.59	417.24	1,842.91
Nutrient balance	14.97	-8.42	-310.51	-1,099.37
Applied to removed ratio	1.05	0.84	0.26	0.40

Fresh water applied	
0.00	*gallons*
0.00	*acre-inches*
0.00	*inches/acre*

Process wastewater applied	
787,500.00	*gallons*
29.00	*acre-inches*
0.67	*inches/acre*

Total harvests for the crop	
1	*harvests*

FIELD 1 - 05/13/2023: Corn, silage

Field name: FIELD 1 Crop: Corn, silage Plant date: 05/13/2023

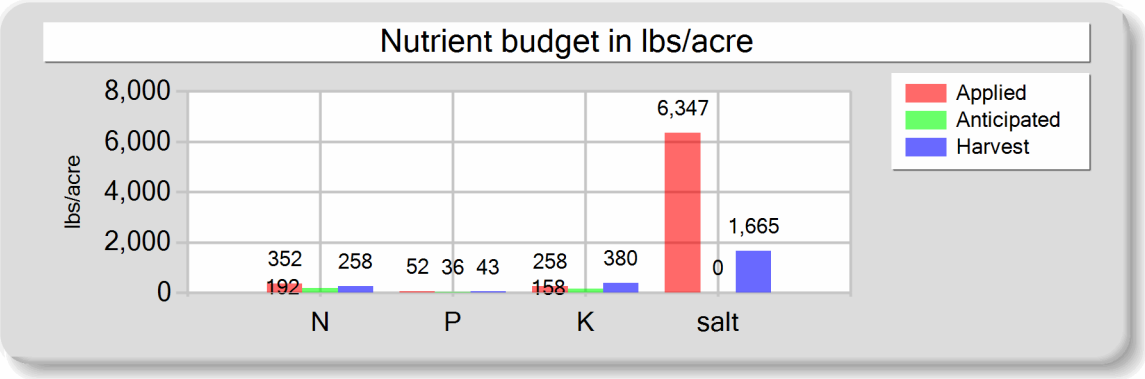

	Total N (lbs/acre)	Total P (lbs/acre)	Total K (lbs/acre)	Total salt (lbs/acre)
Existing soil nutrient content	0.00	0.00	0.00	0.00
Plowdown credit	0.00	0.00	0.00	0.00
Commercial fertilizer / Other	0.00	0.00	0.00	0.00
Dry manure	0.00	0.00	0.00	0.00
Process wastewater	344.68	52.40	258.24	1,532.14
Fresh water	0.00	0.00	0.00	4,814.61
Atmospheric deposition	7.00	0.00	0.00	0.00
Total nutrients applied	351.68	52.40	258.24	6,346.76
Anticipated crop nutrient removal	192.00	36.00	158.40	0.00
Actual crop nutrient removal	257.67	42.94	380.36	1,665.31
Nutrient balance	94.01	9.46	-122.12	4,681.44
Applied to removed ratio	1.36	1.22	0.68	3.81

Fresh water applied	
61,560,000.00	*gallons*
2,267.05	*acre-inches*
52.72	*inches/acre*

Process wastewater applied	
2,610,000.00	*gallons*
96.12	*acre-inches*
2.24	*inches/acre*

Total harvests for the crop	
1	*harvests*

FIELD 2 - 11/03/2022: Wheat, silage, soft dough

Field name: FIELD 2 Crop: Wheat, silage, soft dough Plant date: 11/03/2022

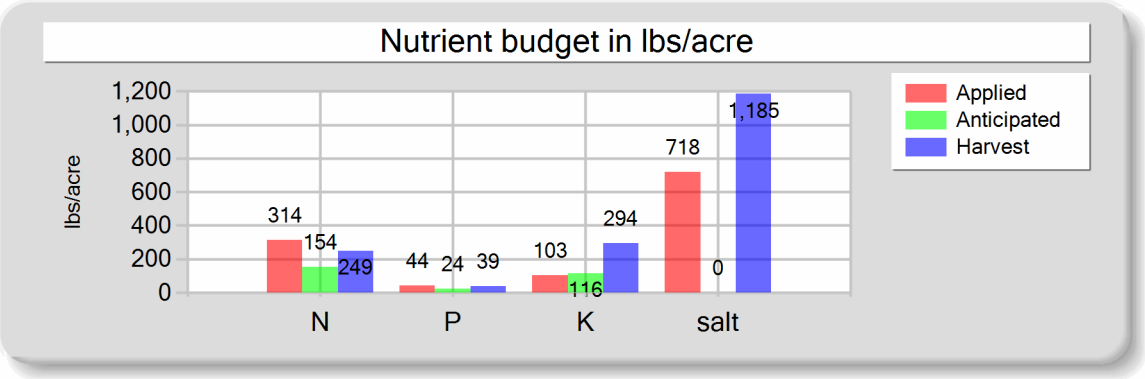

	Total N (lbs/acre)	Total P (lbs/acre)	Total K (lbs/acre)	Total salt (lbs/acre)
Existing soil nutrient content	0.00	0.00	0.00	0.00
Plowdown credit	0.00	0.00	0.00	0.00
Commercial fertilizer / Other	0.00	0.00	0.00	0.00
Dry manure	0.00	0.00	0.00	0.00
Process wastewater	307.31	43.65	103.13	718.48
Fresh water	0.00	0.00	0.00	0.00
Atmospheric deposition	7.00	0.00	0.00	0.00
Total nutrients applied	314.31	43.65	103.13	718.48
Anticipated crop nutrient removal	154.00	23.80	116.20	0.00
Actual crop nutrient removal	249.00	39.17	293.76	1,184.85
Nutrient balance	65.31	4.48	-190.63	-466.37
Applied to removed ratio	1.26	1.11	0.35	0.61

Fresh water applied	
0.00	*gallons*
0.00	*acre-inches*
0.00	*inches/acre*

Process wastewater applied	
1,575,000.00	*gallons*
58.00	*acre-inches*
0.65	*inches/acre*

Total harvests for the crop	
1	*harvests*

FIELD 2 - 05/22/2023: Corn, silage

Field name: FIELD 2 Crop: Corn, silage Plant date: 05/22/2023

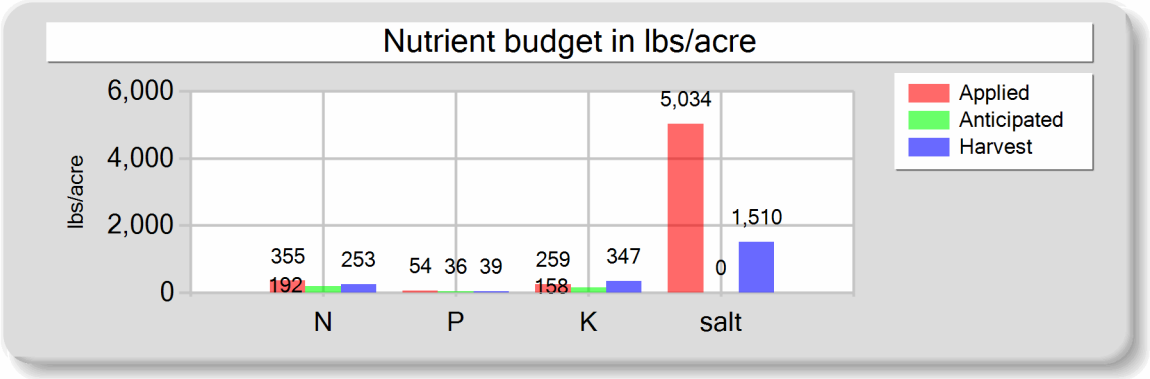

	Total N (lbs/acre)	Total P (lbs/acre)	Total K (lbs/acre)	Total salt (lbs/acre)
Existing soil nutrient content	0.00	0.00	0.00	0.00
Plowdown credit	0.00	0.00	0.00	0.00
Commercial fertilizer / Other	0.00	0.00	0.00	0.00
Dry manure	0.00	0.00	0.00	0.00
Process wastewater	347.94	54.49	259.03	1,519.23
Fresh water	0.00	0.00	0.00	3,515.09
Atmospheric deposition	7.00	0.00	0.00	0.00
Total nutrients applied	354.94	54.49	259.03	5,034.32
Anticipated crop nutrient removal	192.00	36.00	158.40	0.00
Actual crop nutrient removal	253.26	38.54	346.85	1,509.81
Nutrient balance	101.68	15.95	-87.83	3,524.51
Applied to removed ratio	1.40	1.41	0.75	3.33

Fresh water applied	
93,024,000.00	*gallons*
3,425.76	*acre-inches*
38.49	*inches/acre*

Process wastewater applied	
5,490,000.00	*gallons*
202.18	*acre-inches*
2.27	*inches/acre*

Total harvests for the crop	
1	*harvests*

NUTRIENT ANALYSES

A. MANURE ANALYSES

Corral Solids

Sample and source description: Corral Solids

Sample date: 05/04/2023 Material type: Corral solids Source of analysis: Lab analysis Method of reporting: Dry-weight

Moisture: 20.3 %

	Total N (mg/kg)	Total P (mg/kg)	Total K (mg/kg)	Calcium (mg/kg)	Magnesium (mg/kg)	Sodium (mg/kg)	Sulfur (mg/kg)	Chloride (mg/kg)	Total salt (mg/kg)	TFS (%)
Value	26,700.00	8,100.00	21,500.00							30.70
DL	100.00	100.00	100.00							0.01

Separator Solids

Sample and source description: Separator Solids

Sample date: 05/04/2023 Material type: Separator solids Source of analysis: Lab analysis Method of reporting: Dry-weight

Moisture: 75.2 %

	Total N (mg/kg)	Total P (mg/kg)	Total K (mg/kg)	Calcium (mg/kg)	Magnesium (mg/kg)	Sodium (mg/kg)	Sulfur (mg/kg)	Chloride (mg/kg)	Total salt (mg/kg)	TFS (%)
Value	22,300.00	3,200.00	4,300.00							16.00
DL	100.00	100.00	100.00							0.01

Corral Solids

Sample and source description: Corral Solids

Sample date: 09/20/2023 Material type: Corral solids Source of analysis: Lab analysis Method of reporting: Dry-weight

Moisture: 43.7 %

	Total N (mg/kg)	Total P (mg/kg)	Total K (mg/kg)	Calcium (mg/kg)	Magnesium (mg/kg)	Sodium (mg/kg)	Sulfur (mg/kg)	Chloride (mg/kg)	Total salt (mg/kg)	TFS (%)
Value	24,900.00	7,500.00	22,400.00	22,300.00	9,300.00	2,100.00	4,400.00			22.70
DL	100.00	100.00	100.00	100.00	100.00	100.00	100.00			0.01

Separator Solids

Sample and source description: Separator Solids

Sample date: 09/20/2023 Material type: Separator solids Source of analysis: Lab analysis Method of reporting: Dry-weight

Moisture: 75.7 %

	Total N (mg/kg)	Total P (mg/kg)	Total K (mg/kg)	Calcium (mg/kg)	Magnesium (mg/kg)	Sodium (mg/kg)	Sulfur (mg/kg)	Chloride (mg/kg)	Total salt (mg/kg)	TFS (%)
Value	16,500.00	1,500.00	2,700.00	10,300.00	3,300.00	900.00	2,700.00			7.70
DL	100.00	100.00	100.00	100.00	100.00	100.00	100.00			0.01

B. PROCESS WASTEWATER ANALYSES

2022 4QWW

Sample and source description: 2022 4QWW

Sample date: 10/27/2022 Material type: Process wastewater Source of analysis: Lab analysis pH: 7.20

	Kjeldahl-N (mg/L)	NH4-N (mg/L)	NH3-N (mg/L)	Nitrate-N (mg/L)	Total P (mg/L)	Total K (mg/L)	Calcium (mg/L)	Magnes. (mg/L)	Sodium (mg/L)	Bicarb. (mg/L)	Carb. (mg/L)	Sulfate (mg/L)	Chloride (mg/L)	EC (µmhos/cm)	TDS (mg/L)
Value	674.00	426.00	0.00	1.50	102.00	514.00								8,410.00	4,150
DL	1.00	0.50	0.50	0.10	0.10	0.50								10.00	10

2022 Slurry

Sample and source description: 2022 Slurry

Sample date: 10/27/2022 Material type: Process wastewater sludge Source of analysis: Lab analysis pH: 6.60

	Kjeldahl-N (mg/L)	NH4-N (mg/L)	NH3-N (mg/L)	Nitrate-N (mg/L)	Total P (mg/L)	Total K (mg/L)	Calcium (mg/L)	Magnes. (mg/L)	Sodium (mg/L)	Bicarb. (mg/L)	Carb. (mg/L)	Sulfate (mg/L)	Chloride (mg/L)	EC (µmhos/cm)	TDS (mg/L)
Value	3,190.00	386.00	0.00	1.90	472.00	825.00								6,340.00	4,920
DL	1.00	0.50	0.50	0.10	0.10	0.50								10.00	10

1QWW

Sample and source description: 1QWW

Sample date: 02/16/2023 Material type: Process wastewater Source of analysis: Lab analysis pH: 7.20

	Kjeldahl-N (mg/L)	NH4-N (mg/L)	NH3-N (mg/L)	Nitrate-N (mg/L)	Total P (mg/L)	Total K (mg/L)	Calcium (mg/L)	Magnes. (mg/L)	Sodium (mg/L)	Bicarb. (mg/L)	Carb. (mg/L)	Sulfate (mg/L)	Chloride (mg/L)	EC (µmhos/cm)	TDS (mg/L)
Value	764.00	426.00	0.00	1.70	86.00	548.00								8,460.00	4,800
DL	1.00	0.50	0.50	0.10	0.10	0.50								10.00	10

2QWW

Sample and source description: 2QWW

Sample date: 05/04/2023 Material type: Process wastewater Source of analysis: Lab analysis pH: 7.40

	Kjeldahl-N (mg/L)	NH4-N (mg/L)	NH3-N (mg/L)	Nitrate-N (mg/L)	Total P (mg/L)	Total K (mg/L)	Calcium (mg/L)	Magnes. (mg/L)	Sodium (mg/L)	Bicarb. (mg/L)	Carb. (mg/L)	Sulfate (mg/L)	Chloride (mg/L)	EC (µmhos/cm)	TDS (mg/L)
Value	746.00	433.00	0.00	1.00	68.90	605.00								9,620.00	4,080
DL	1.00	0.50	0.50	0.10	0.10	0.50								10.00	10

3QWW

Sample and source description: 3QWW

Sample date: 08/03/2023 Material type: Process wastewater Source of analysis: Lab analysis pH:

	Kjeldahl-N (mg/L)	NH4-N (mg/L)	NH3-N (mg/L)	Nitrate-N (mg/L)	Total P (mg/L)	Total K (mg/L)	Calcium (mg/L)	Magnes. (mg/L)	Sodium (mg/L)	Bicarb. (mg/L)	Carb. (mg/L)	Sulfate (mg/L)	Chloride (mg/L)	EC (µmhos/cm)	TDS (mg/L)
Value	651.00	431.00	0.00	0.00	119.00	467.00	360.00	214.00	220.00	3,740.00		5.60	338.00	7,800.00	2,550
DL	1.00	0.50	0.50	0.10	0.10	0.50	0.10	0.10	1.00	10.00		0.50	0.20	10.00	10

4QWW

Sample and source description: 4QWW

Sample date: 10/05/2023 Material type: Process wastewater Source of analysis: Lab analysis pH:

	Kjeldahl-N (mg/L)	NH4-N (mg/L)	NH3-N (mg/L)	Nitrate-N (mg/L)	Total P (mg/L)	Total K (mg/L)	Calcium (mg/L)	Magnes. (mg/L)	Sodium (mg/L)	Bicarb. (mg/L)	Carb. (mg/L)	Sulfate (mg/L)	Chloride (mg/L)	EC (µmhos/cm)	TDS (mg/L)
Value	664.00	489.00	0.00	1.20	134.00	531.00								8,360.00	5,070
DL	1.00	0.50	0.50	0.10	0.10	0.50								10.00	10

C. FRESH WATER ANALYSES

Irrigation Wells

TL DW F2

Sample description: TL DW F2

Sample date: 05/04/2023 Source of analysis: Lab analysis

	Total N (mg/L)	NH4-N (mg/L)	Nitrate-N (mg/L)	Calcium (mg/L)	Magnesium (mg/L)	Sodium (mg/L)	Bicarbonate (mg/L)	Carbonate (mg/L)	Sulfate (mg/L)	Chloride (mg/L)	EC (µmhos/cm)	TDS (mg/L)
Value	0.00	0.00	0.00								762.00	403
DL	1.00	0.50	0.10								10.00	10

D. SOIL ANALYSES

No soil analyses entered.

E. PLANT TISSUE ANALYSES

FIELD 1 - 11/02/2022: Wheat, silage, soft dough

Winter Forage

Sample and source description: Winter Forage

Sample date: 05/04/2023 Source of analysis: Lab analysis Method of reporting: As-is

Moisture: 64.6 %

	Total N (mg/kg)	Total P (mg/kg)	Total K (mg/kg)	Total salt (mg/kg)	TFS (%)
Value	8,100.00	1,400.00	10,900.00		13.60
DL	100.00	100.00	100.00		0.01

FIELD 1 - 05/13/2023: Corn, silage

FIELD 1 - 05/13/2023: Corn, silage

Corn Silage

Sample and source description: Corn Silage

Sample date: 09/26/2023 Source of analysis: Lab analysis Method of reporting: As-is

Moisture: 69.5 %

	Total N (mg/kg)	Total P (mg/kg)	Total K (mg/kg)	Total salt (mg/kg)	TFS (%)
Value	4,200.00	700.00	6,200.00		8.90
DL	100.00	100.00	100.00		0.01

FIELD 2 - 11/03/2022: Wheat, silage, soft dough

Winter Forage

Sample and source description: Winter Forage

Sample date: 05/04/2023 Source of analysis: Lab analysis Method of reporting: As-is

Moisture: 61.5 %

	Total N (mg/kg)	Total P (mg/kg)	Total K (mg/kg)	Total salt (mg/kg)	TFS (%)
Value	8,900.00	1,400.00	10,500.00		11.00
DL	100.00	100.00	100.00		0.01

FIELD 2 - 05/22/2023: Corn, silage

Corn Silage

Sample and source description: Corn Silage

Sample date: 09/26/2023 Source of analysis: Lab analysis Method of reporting: As-is

Moisture: 72.3 %

	Total N (mg/kg)	Total P (mg/kg)	Total K (mg/kg)	Total salt (mg/kg)	TFS (%)
Value	4,600.00	700.00	6,300.00		9.90
DL	100.00	100.00	100.00		0.01

F. SUBSURFACE (TILE) DRAINAGE ANALYSES

No subsurface (tile) drainage analyses entered.

NUTRIENT APPLICATIONS, POTENTIAL REMOVAL, AND BALANCE

A. SUMMARY OF NUTRIENT APPLICATIONS, POTENTIAL REMOVAL, AND BALANCE

	Total N (lbs)	Total P (lbs)	Total K (lbs)	Total salt (lbs)
Existing soil nutrient content	0.00	0.00	0.00	0.00
Plowdown credit	0.00	0.00	0.00	0.00
Commercial fertilizer / Other	0.00	0.00	0.00	0.00
Dry manure	0.00	0.00	0.00	0.00
Process wastewater	86,814.25	12,929.70	47,926.19	297,010.23
Fresh water	0.00	0.00	0.00	519,871.40
Atmospheric deposition	1,848.00	0.00	0.00	0.00
Total nutrients applied	88,662.25	12,929.70	47,926.19	816,881.64
Anticipated crop nutrient removal	45,672.00	7,893.60	36,247.20	0.00
Actual crop nutrient removal	69,113.20	11,067.00	91,312.00	390,677.73
Nutrient balance	19,549.05	1,862.70	-43,385.81	426,203.90
Applied to removed ratio	1.28	1.17	0.52	2.09

B. POUNDS OF NUTRIENT APPLIED VS. CROP REMOVAL

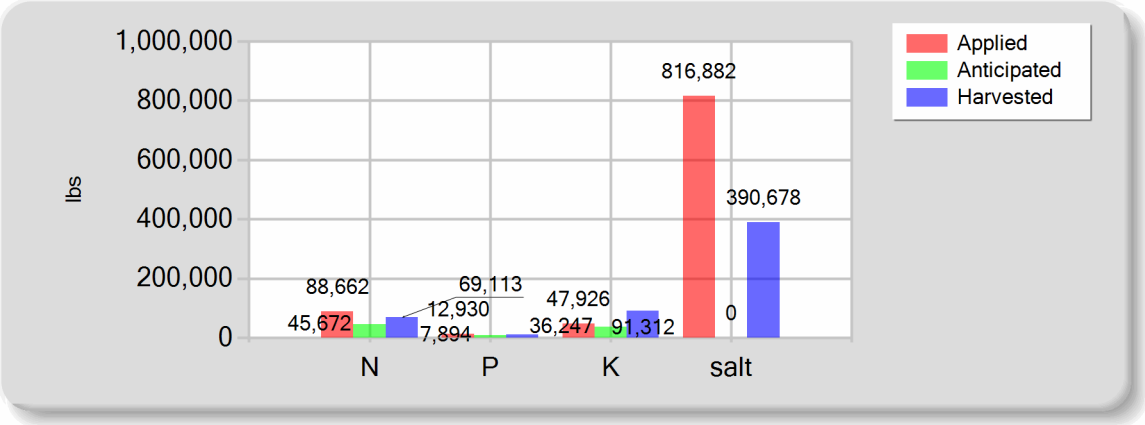

C. POUNDS OF NUTRIENT APPLIED BY MATERIAL TYPE

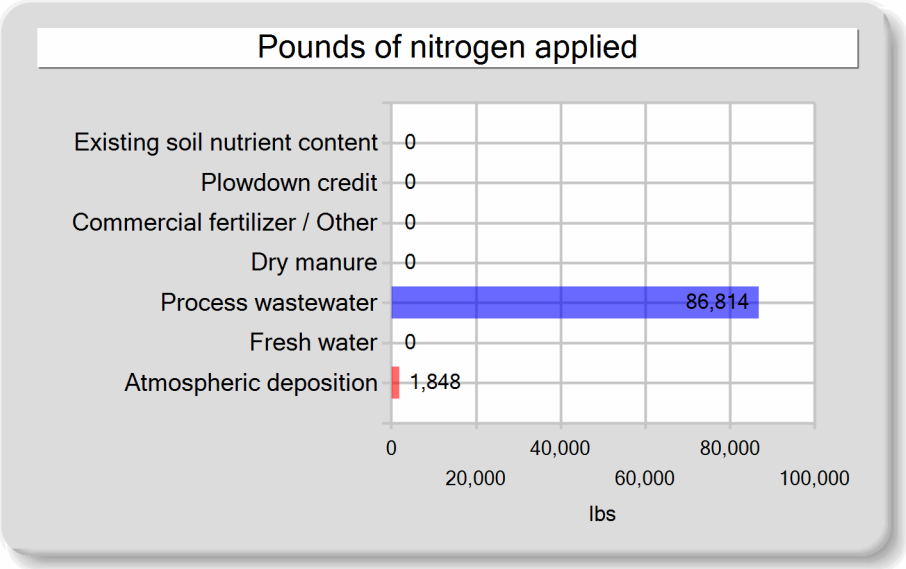

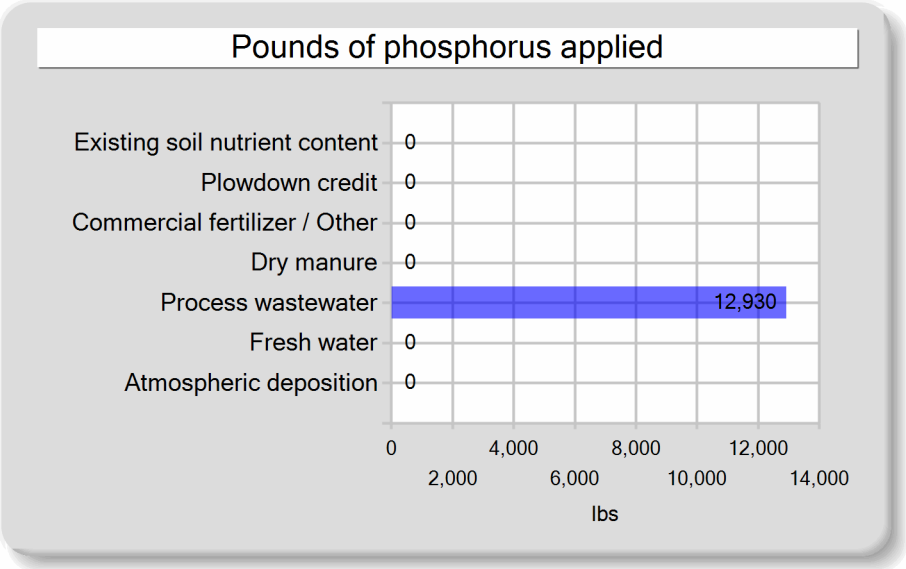

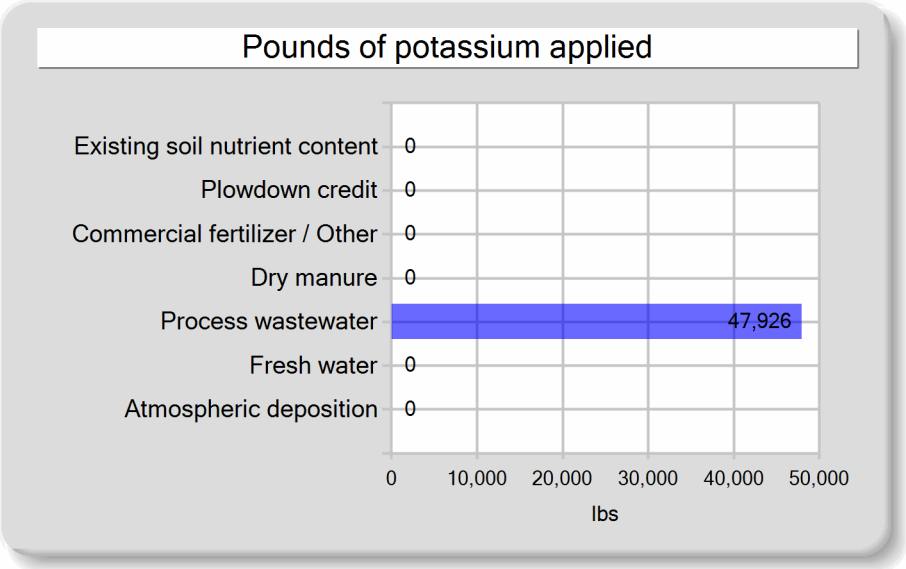

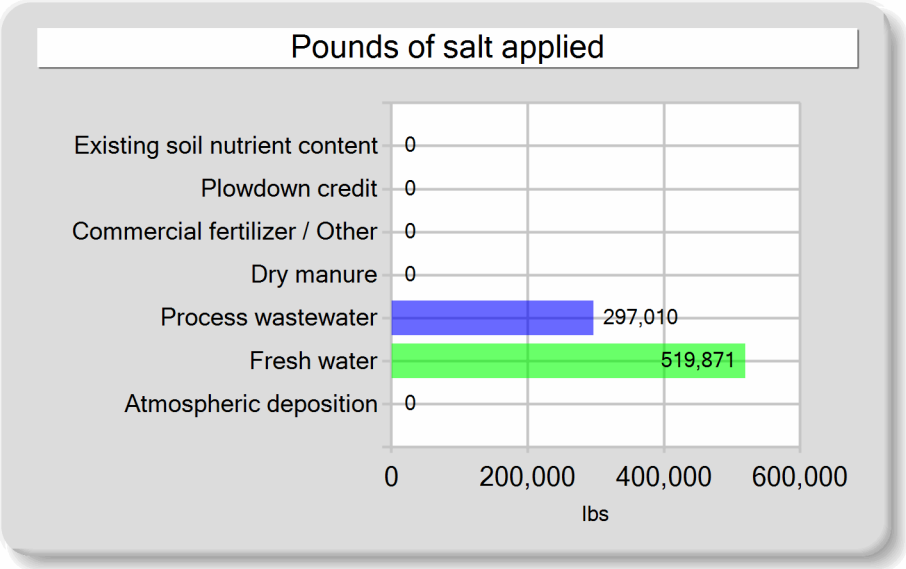

EXCEPTION REPORTING

A. MANURE, PROCESS WASTEWATER, AND OTHER DAIRY WASTE DISCHARGES

The following is a summary of all manure and process wastewater discharges from the production area to surface water or to land areas (land application areas or otherwise) when not in accordance with the facility's Nutrient Management Plan.

No manure or process wastewater discharges occurred during the reporting period.

B. STORM WATER DISCHARGES

The following is a summary of all storm water discharges from the production area to surface water during the reporting period when not in accordance with the facility 's Nutrient Management Plan.

No stormwater discharges occurred during the reporting period.

C. LAND APPLICATION AREA TO SURFACE WATER DISCHARGES

The following is a summary of all discharges from the land application area to surface water that have occurred during the reporting period when not in accordance with the facility's Nutrient Management Plan.

No land application area to surface water discharges occurred during the reporting period.

NUTRIENT MANAGEMENT PLAN AND EXPORT AGREEMENT STATEMENTS

A. NUTRIENT MANAGEMENT PLAN STATEMENTS

Was the facility's NMP updated in the reporting period?	No
Was the facility's NMP developed by a certified nutrient management planner (specialist) as specified in Attachment C of the General Order?	Yes
Was the facility's NMP approved by a certified nutrient management planner (specialist) as specified in Attachment C of the General Order?	Yes

B. EXPORT AGREEMENT STATEMENT

Are there any written agreements with third parties to receive manure or process wastewater that are new or were revised within the reporting period?	No

ADDITIONAL NOTES

A. NOTES

No notes entered for this annual report.

CERTIFICATION

A. OWNER AND/OR OPERATOR CERTIFICATION

I certify under penalty of law that I have personally examined and am familiar with the information submitted in this document and all attachments and that, based on my inquiry of those individuals immediately responsible for obtaining the information, I believe that the information is true, accurate, and complete. I am aware that there are significant penalties for submitting false information, including the possibility of fine and imprisonment.

Tony Louters (Jun 29, 2024 10:06 PDT)

SIGNATURE OF OWNER OF FACILITY	SIGNATURE OF OPERATOR OF FACILITY
Tony Louters	SAME AS OWNER
PRINT OR TYPE NAME	PRINT OR TYPE NAME
Jun 29, 2024	
DATE	DATE

ATTACHMENTS

A. REQUIRED ATTACHMENTS

The following lists the required documents that should be attached to the Annual Report when submitted .

Annual Dairy Facility Assessment
Provide an Annual Dairy Facility Assessment (an update to the Preliminary Dairy Facility Assessment in Attachment A) for each reporting period. On the PDFA Final page, click on the ADFA Report button to generate an ADFA report after updating information as needed .

Manure/Process Wastewater Tracking Manifests
Provide copies of all manure/process wastewater tracking manifests for the reporting period, signed by both the owner/operator and the hauler.

Corrective Actions Documents
Provide records documenting any corrective actions taken to correct deficiencies noted as a result of the inspections required in the Monitoring Requirements of the General Order. Deficiencies not corrected in 30 days must be accompanied by an explanation of the factors preventing immediate correction.

Groundwater Monitoring
Dischargers that monitor supply wells or subsurface (tile) drainage systems, or that have monitoring well systems must submit monitoring results as directed in the General Order, Groundwater Reporting Section starting on page MRP-13.

Storm Water Monitoring
Dischargers that are required to monitor storm water more frequently than required in the General Order must submit monitoring results as directed in the General Order, Storm Water Reporting Section on page MRP-14.

Manure / Process Wastewater Tracking Manifest
For
Existing Milk Cow Dairies

General Order No. R5-2007-0035, Attachment D

INSTRUCTIONS

1) Complete one manifest for each hauling event, for each destination. A hauling event may last for several days, as long as the manure is being hauled to the same destination.
2) If there are multiple destinations, complete a separate form for each destination.
3) The operator must obtain the signature of the hauler upon completion of each manure/process wastewater hauling event.
4) The operator shall submit copies of manure/process wastewater tracking manifest(s) with the Annual Monitoring Report for Existing Milk Cow Dairies.

OPERATOR INFORMATION

Name of Operator: Tony Louters

Name of Dairy Facility: T & C Louters Dairy

Facility Address:

Number and Street	City	County	Zip Code
921 W Sandy Mush RD	Merced	Merced	95341

Contact Person Name and Phone Number:

Name	Phone Number
Tony Louters	(209) 564-6738

MANURE HAULER INFORMATION

Name of Hauling Company/Person: Kenneth Stone & Family Spreading

Address of Hauling Company/Person:

Number and Street	City	State	Zip Code
5175 W Shaw AVE	Winton	CA	95388

Contact Person:

Name	Phone Number
Paul Stone	(209) 358-6201

DESTINATION INFORMATION

Composting Facility / Broker / Farmer / Other (identify): Broker

Contact information of Composting Facility, Broker, Farmer, or Other (as identified above):

Name	Phone Number
Kenneth Stone & Family Spreading	(209) 358-6201

Address	City	State	Zip Code
5175 W Shaw AVE	Winton	CA	95388

Destination Address or Assessor's Parcel Number:

Address	City	Zip Code
7745 E Sandy Mush RD	Merced	95341

Street and nearest cross street (if no address)	County
	Merced

Assessor's Parcel Number	Assessor's Parcel Number County
XXXX-XXXX-XXXX-XXXX	Merced

Last date hauled: 01/24/2023

Manure / Process Wastewater Tracking Manifest
For
Existing Milk Cow Dairies

General Order No. R5-2007-0035, Attachment D

MANURE AMOUNT HAULED

Enter the amount of manure hauled in tons, manure solids content, and the method used to calculate the amount:

Manure: 48.00 tons

Manure Solids Content: 24.8 %

Method used to determine amount of manure:

Scale Weights

CERTIFICATION

I declare under penalty of law that I personally examined and am familiar with the information submitted in this document, and that based on my inquiry of those individuals immediately responsible for obtaining the information, I believe that the information is true , accurate, and complete. I am aware that there are significant penalties for submitting false information, including the possibility of a fine and imprisonment for knowing violations.

Tony Louters (Jun 29, 2024 10:06 PDT)

Jun 29, 2024

Operator Signature | Date

Paul Stone

Hauler Signature | Date

Manure / Process Wastewater Tracking Manifest
For
Existing Milk Cow Dairies

General Order No. R5-2007-0035, Attachment D

INSTRUCTIONS

1) Complete one manifest for each hauling event, for each destination. A hauling event may last for several days, as long as the manure is being hauled to the same destination.
2) If there are multiple destinations, complete a separate form for each destination.
3) The operator must obtain the signature of the hauler upon completion of each manure/process wastewater hauling event.
4) The operator shall submit copies of manure/process wastewater tracking manifest(s) with the Annual Monitoring Report for Existing Milk Cow Dairies.

OPERATOR INFORMATION

Name of Operator: Tony Louters

Name of Dairy Facility: T & C Louters Dairy

Facility Address:

Number and Street	City	County	Zip Code
921 W Sandy Mush RD	Merced	Merced	95341

Contact Person Name and Phone Number:

Name	Phone Number
Tony Louters	(209) 564-6738

MANURE HAULER INFORMATION

Name of Hauling Company/Person: Kenneth Stone & Family Spreading

Address of Hauling Company/Person:

Number and Street	City	State	Zip Code
5175 W Shaw AVE	Winton	CA	95388

Contact Person:

Name	Phone Number
Paul Stone	(209) 358-6201

DESTINATION INFORMATION

Composting Facility / Broker / Farmer / Other (identify): Broker

Contact information of Composting Facility, Broker, Farmer, or Other (as identified above):

Name	Phone Number
Kenneth Stone & Family Spreading	(209) 358-6201

Address	City	State	Zip Code
5175 W Shaw AVE	Winton	CA	95388

Destination Address or Assessor's Parcel Number:

Address	City	Zip Code
7745 Sandy Mush RD	Merced	95341

Street and nearest cross street (if no address)	County
	Merced

Assessor's Parcel Number	Assessor's Parcel Number County
XXXX-XXXX-XXXX-XXXX	Merced

Last date hauled: 02/02/2023

Manure / Process Wastewater Tracking Manifest
For
Existing Milk Cow Dairies

General Order No. R5-2007-0035, Attachment D

MANURE AMOUNT HAULED

Enter the amount of manure hauled in tons, manure solids content, and the method used to calculate the amount:

Manure: 94.00 tons

Manure Solids Content: 79.7 %

Method used to determine amount of manure:

Scale Weights

CERTIFICATION

I declare under penalty of law that I personally examined and am familiar with the information submitted in this document, and that based on my inquiry of those individuals immediately responsible for obtaining the information, I believe that the information is true , accurate, and complete. I am aware that there are significant penalties for submitting false information, including the possibility of a fine and imprisonment for knowing violations.

Tony Louters (Jun 29, 2024 10:06 PDT)

Jun 29, 2024

Operator Signature | Date

Paul Stone

Hauler Signature | Date

Manure / Process Wastewater Tracking Manifest
For
Existing Milk Cow Dairies

General Order No. R5-2007-0035, Attachment D

INSTRUCTIONS

1) Complete one manifest for each hauling event, for each destination. A hauling event may last for several days, as long as the manure is being hauled to the same destination.
2) If there are multiple destinations, complete a separate form for each destination.
3) The operator must obtain the signature of the hauler upon completion of each manure/process wastewater hauling event.
4) The operator shall submit copies of manure/process wastewater tracking manifest(s) with the Annual Monitoring Report for Existing Milk Cow Dairies.

OPERATOR INFORMATION

Name of Operator: Tony Louters

Name of Dairy Facility: T & C Louters Dairy

Facility Address:

Number and Street	City	County	Zip Code
921 W Sandy Mush RD	Merced	Merced	95341

Contact Person Name and Phone Number:

Name	Phone Number
Tony Louters	(209) 564-6738

MANURE HAULER INFORMATION

Name of Hauling Company/Person: Kenneth Stone & Family Spreading

Address of Hauling Company/Person:

Number and Street	City	State	Zip Code
5175 W Shaw AVE	Winton	CA	95388

Contact Person:

Name	Phone Number
Paul Stone	(209) 358-6201

DESTINATION INFORMATION

Composting Facility / Broker / Farmer / Other (identify): Broker

Contact information of Composting Facility, Broker, Farmer, or Other (as identified above):

Name	Phone Number
Kenneth Stone & Family Spreading	(209) 358-6201

Address	City	State	Zip Code
5175 W Shaw AVE	Winton	CA	95388

Destination Address or Assessor's Parcel Number:

Address	City	Zip Code
1510 Washington RD	El Nido	94317

Street and nearest cross street (if no address)	County
Shaw	Merced

Assessor's Parcel Number	Assessor's Parcel Number County
XXXX-XXXX-XXXX-XXXX	Merced

Last date hauled: 02/15/2023

Manure / Process Wastewater Tracking Manifest
For
Existing Milk Cow Dairies

General Order No. R5-2007-0035, Attachment D

MANURE AMOUNT HAULED

Enter the amount of manure hauled in tons, manure solids content, and the method used to calculate the amount:

Manure: 585.00 tons

Manure Solids Content: 24.8 %

Method used to determine amount of manure:

Scale Weights

CERTIFICATION

I declare under penalty of law that I personally examined and am familiar with the information submitted in this document, and that based on my inquiry of those individuals immediately responsible for obtaining the information, I believe that the information is true , accurate, and complete. I am aware that there are significant penalties for submitting false information, including the possibility of a fine and imprisonment for knowing violations.

Tony Louters (Jun 29, 2024 10:06 PDT)

Jun 29, 2024

Operator Signature | Date

Paul Stone

Hauler Signature | Date

Manure / Process Wastewater Tracking Manifest
For
Existing Milk Cow Dairies

General Order No. R5-2007-0035, Attachment D

INSTRUCTIONS

1) Complete one manifest for each hauling event, for each destination. A hauling event may last for several days, as long as the manure is being hauled to the same destination.
2) If there are multiple destinations, complete a separate form for each destination.
3) The operator must obtain the signature of the hauler upon completion of each manure/process wastewater hauling event.
4) The operator shall submit copies of manure/process wastewater tracking manifest(s) with the Annual Monitoring Report for Existing Milk Cow Dairies.

OPERATOR INFORMATION

Name of Operator: Tony Louters

Name of Dairy Facility: T & C Louters Dairy

Facility Address:

Number and Street	City	County	Zip Code
921 W Sandy Mush RD	Merced	Merced	95341

Contact Person Name and Phone Number:

Name	Phone Number
Tony Louters	(209) 564-6738

MANURE HAULER INFORMATION

Name of Hauling Company/Person: Kenneth Stone & Family Spreading

Address of Hauling Company/Person:

Number and Street	City	State	Zip Code
5175 W Shaw AVE	Winton	CA	95388

Contact Person:

Name	Phone Number
Paul Stone	(209) 358-6201

DESTINATION INFORMATION

Composting Facility / Broker / Farmer / Other (identify): Broker

Contact information of Composting Facility, Broker, Farmer, or Other (as identified above):

Name	Phone Number
Kenneth Stone & Family Spreading	(209) 358-6201

Address	City	State	Zip Code
5175 W Shaw AVE	Winton	CA	95388

Destination Address or Assessor's Parcel Number:

Address	City	Zip Code
5175 Shaw AVE	Winton	95355

Street and nearest cross street (if no address)	County
Shaw	Merced

Assessor's Parcel Number	Assessor's Parcel Number County
XXXX-XXXX-XXXX-XXXX	Merced

Last date hauled: 02/06/2023

Manure / Process Wastewater Tracking Manifest
For
Existing Milk Cow Dairies

General Order No. R5-2007-0035, Attachment D

MANURE AMOUNT HAULED

Enter the amount of manure hauled in tons, manure solids content, and the method used to calculate the amount:

Manure: 172.00 tons

Manure Solids Content: 79.7 %

Method used to determine amount of manure:

Scale Weights

CERTIFICATION

I declare under penalty of law that I personally examined and am familiar with the information submitted in this document, and that based on my inquiry of those individuals immediately responsible for obtaining the information, I believe that the information is true , accurate, and complete. I am aware that there are significant penalties for submitting false information, including the possibility of a fine and imprisonment for knowing violations.

Tony Louters (Jun 29, 2024 10:06 PDT)

Jun 29, 2024

Operator Signature | Date

Paul Stone

Hauler Signature | Date

Manure / Process Wastewater Tracking Manifest
For
Existing Milk Cow Dairies

General Order No. R5-2007-0035, Attachment D

INSTRUCTIONS

1) Complete one manifest for each hauling event, for each destination. A hauling event may last for several days, as long as the manure is being hauled to the same destination.
2) If there are multiple destinations, complete a separate form for each destination.
3) The operator must obtain the signature of the hauler upon completion of each manure/process wastewater hauling event.
4) The operator shall submit copies of manure/process wastewater tracking manifest(s) with the Annual Monitoring Report for Existing Milk Cow Dairies.

OPERATOR INFORMATION

Name of Operator: Tony Louters

Name of Dairy Facility: T & C Louters Dairy

Facility Address:

Number and Street	City	County	Zip Code
921 W Sandy Mush RD	Merced	Merced	95341

Contact Person Name and Phone Number:

Name	Phone Number
Tony Louters	(209) 564-6738

MANURE HAULER INFORMATION

Name of Hauling Company/Person: Kenneth Stone & Family Spreading

Address of Hauling Company/Person:

Number and Street	City	State	Zip Code
5175 W Shaw AVE	Winton	CA	95388

Contact Person:

Name	Phone Number
Paul Stone	(209) 358-6201

DESTINATION INFORMATION

Composting Facility / Broker / Farmer / Other (identify): Broker

Contact information of Composting Facility, Broker, Farmer, or Other (as identified above):

Name	Phone Number
Kenneth Stone & Family Spreading	(209) 358-6201

Address	City	State	Zip Code
5175 W Shaw AVE	Winton	CA	95388

Destination Address or Assessor's Parcel Number:

Address	City	Zip Code
7745 E Sandy Mush RD	Merced	95341

Street and nearest cross street (if no address)	County
	Merced

Assessor's Parcel Number	Assessor's Parcel Number County
XXXX-XXXX-XXXX-XXXX	Merced

Last date hauled: 03/06/2023

Manure / Process Wastewater Tracking Manifest
For
Existing Milk Cow Dairies

General Order No. R5-2007-0035, Attachment D

MANURE AMOUNT HAULED

Enter the amount of manure hauled in tons, manure solids content, and the method used to calculate the amount:

Manure: 25.00 tons

Manure Solids Content: 24.8 %

Method used to determine amount of manure:

Scale Weights

CERTIFICATION

I declare under penalty of law that I personally examined and am familiar with the information submitted in this document, and that based on my inquiry of those individuals immediately responsible for obtaining the information, I believe that the information is true , accurate, and complete. I am aware that there are significant penalties for submitting false information, including the possibility of a fine and imprisonment for knowing violations.

Tony Louters (Jun 29, 2024 10:06 PDT)

Jun 29, 2024

Operator Signature | Date

Paul Stone

Hauler Signature | Date

Manure / Process Wastewater Tracking Manifest
For
Existing Milk Cow Dairies

General Order No. R5-2007-0035, Attachment D

INSTRUCTIONS

1) Complete one manifest for each hauling event, for each destination. A hauling event may last for several days, as long as the manure is being hauled to the same destination.
2) If there are multiple destinations, complete a separate form for each destination.
3) The operator must obtain the signature of the hauler upon completion of each manure/process wastewater hauling event.
4) The operator shall submit copies of manure/process wastewater tracking manifest(s) with the Annual Monitoring Report for Existing Milk Cow Dairies.

OPERATOR INFORMATION

Name of Operator: Tony Louters

Name of Dairy Facility: T & C Louters Dairy

Facility Address:

Number and Street	City	County	Zip Code
921 W Sandy Mush RD	Merced	Merced	95341

Contact Person Name and Phone Number:

Name	Phone Number
Tony Louters	(209) 564-6738

MANURE HAULER INFORMATION

Name of Hauling Company/Person: Kenneth Stone & Family Spreading

Address of Hauling Company/Person:

Number and Street	City	State	Zip Code
5175 W Shaw AVE	Winton	CA	95388

Contact Person:

Name	Phone Number
Paul Stone	(209) 358-6201

DESTINATION INFORMATION

Composting Facility / Broker / Farmer / Other (identify): Broker

Contact information of Composting Facility, Broker, Farmer, or Other (as identified above):

Name	Phone Number
Kenneth Stone & Family Spreading	(209) 358-6201

Address	City	State	Zip Code
5175 W Shaw AVE	Winton	CA	95388

Destination Address or Assessor's Parcel Number:

Address	City	Zip Code
1510 Washington RD	El Nido	94317

Street and nearest cross street (if no address)	County
	Merced

Assessor's Parcel Number	Assessor's Parcel Number County
XXXX-XXXX-XXXX-XXXX	Merced

Last date hauled: 03/07/2023

Manure / Process Wastewater Tracking Manifest
For
Existing Milk Cow Dairies

General Order No. R5-2007-0035, Attachment D

MANURE AMOUNT HAULED

Enter the amount of manure hauled in tons, manure solids content, and the method used to calculate the amount:

Manure: 1,252.00 tons

Manure Solids Content: 24.8 %

Method used to determine amount of manure:

Scale Weights

CERTIFICATION

I declare under penalty of law that I personally examined and am familiar with the information submitted in this document, and that based on my inquiry of those individuals immediately responsible for obtaining the information, I believe that the information is true , accurate, and complete. I am aware that there are significant penalties for submitting false information, including the possibility of a fine and imprisonment for knowing violations.

Tony Louters (Jun 29, 2024 10:06 PDT)

Jun 29, 2024

Operator Signature | Date

Paul Stone

Hauler Signature | Date

Manure / Process Wastewater Tracking Manifest
For
Existing Milk Cow Dairies

General Order No. R5-2007-0035, Attachment D

INSTRUCTIONS

1) Complete one manifest for each hauling event, for each destination. A hauling event may last for several days, as long as the manure is being hauled to the same destination.
2) If there are multiple destinations, complete a separate form for each destination.
3) The operator must obtain the signature of the hauler upon completion of each manure/process wastewater hauling event.
4) The operator shall submit copies of manure/process wastewater tracking manifest(s) with the Annual Monitoring Report for Existing Milk Cow Dairies.

OPERATOR INFORMATION

Name of Operator: Tony Louters

Name of Dairy Facility: T & C Louters Dairy

Facility Address:

Number and Street	City	County	Zip Code
921 W Sandy Mush RD	Merced	Merced	95341

Contact Person Name and Phone Number:

Name	Phone Number
Tony Louters	(209) 564-6738

MANURE HAULER INFORMATION

Name of Hauling Company/Person: Kenneth Stone & Family Spreading

Address of Hauling Company/Person:

Number and Street	City	State	Zip Code
5175 W Shaw AVE	Winton	CA	95388

Contact Person:

Name	Phone Number
Paul Stone	(209) 358-6201

DESTINATION INFORMATION

Composting Facility / Broker / Farmer / Other (identify): Broker

Contact information of Composting Facility, Broker, Farmer, or Other (as identified above):

Name	Phone Number
Kenneth Stone & Family Spreading	(209) 358-6201

Address	City	State	Zip Code
5175 W Shaw AVE	Winton	CA	95388

Destination Address or Assessor's Parcel Number:

Address	City	Zip Code
1510 Washington	El Nido	94317

Street and nearest cross street (if no address)	County
	Merced

Assessor's Parcel Number	Assessor's Parcel Number County
XXXX-XXXX-XXXX-XXXX	Merced

Last date hauled: 03/18/2023

Manure / Process Wastewater Tracking Manifest
For
Existing Milk Cow Dairies

General Order No. R5-2007-0035, Attachment D

MANURE AMOUNT HAULED

Enter the amount of manure hauled in tons, manure solids content, and the method used to calculate the amount:

Manure: 404.00 tons

Manure Solids Content: 79.7 %

Method used to determine amount of manure:

Scale Weights

CERTIFICATION

I declare under penalty of law that I personally examined and am familiar with the information submitted in this document, and that based on my inquiry of those individuals immediately responsible for obtaining the information, I believe that the information is true , accurate, and complete. I am aware that there are significant penalties for submitting false information, including the possibility of a fine and imprisonment for knowing violations.

Tony Louters (Jun 29, 2024 10:06 PDT)

Jun 29, 2024

Operator Signature | Date

Paul Stone

Hauler Signature | Date

Manure / Process Wastewater Tracking Manifest
For
Existing Milk Cow Dairies

General Order No. R5-2007-0035, Attachment D

INSTRUCTIONS

1) Complete one manifest for each hauling event, for each destination. A hauling event may last for several days, as long as the manure is being hauled to the same destination.
2) If there are multiple destinations, complete a separate form for each destination.
3) The operator must obtain the signature of the hauler upon completion of each manure/process wastewater hauling event.
4) The operator shall submit copies of manure/process wastewater tracking manifest(s) with the Annual Monitoring Report for Existing Milk Cow Dairies.

OPERATOR INFORMATION

Name of Operator: Tony Louters

Name of Dairy Facility: T & C Louters Dairy

Facility Address:

Number and Street	City	County	Zip Code
921 W Sandy Mush RD	Merced	Merced	95341

Contact Person Name and Phone Number:

Name	Phone Number
Tony Louters	(209) 564-6738

MANURE HAULER INFORMATION

Name of Hauling Company/Person: Kenneth Stone & Family Spreading

Address of Hauling Company/Person:

Number and Street	City	State	Zip Code
5175 W Shaw AVE	Winton	CA	95388

Contact Person:

Name	Phone Number
Paul Stone	(209) 358-6201

DESTINATION INFORMATION

Composting Facility / Broker / Farmer / Other (identify): Broker

Contact information of Composting Facility, Broker, Farmer, or Other (as identified above):

Name	Phone Number
Kenneth Stone & Family Spreading	(209) 358-6201

Address	City	State	Zip Code
5175 W Shaw AVE	Winton	CA	95388

Destination Address or Assessor's Parcel Number:

Address	City	Zip Code
5175 Shaw AVE	Winton	95355

Street and nearest cross street (if no address)	County
	Merced

Assessor's Parcel Number	Assessor's Parcel Number County
XXXX-XXXX-XXXX-XXXX	Merced

Last date hauled: 03/20/2023

Manure / Process Wastewater Tracking Manifest
For
Existing Milk Cow Dairies

General Order No. R5-2007-0035, Attachment D

MANURE AMOUNT HAULED

Enter the amount of manure hauled in tons, manure solids content, and the method used to calculate the amount:

Manure: 50.00 tons

Manure Solids Content: 79.7 %

Method used to determine amount of manure:

Scale Weight

CERTIFICATION

I declare under penalty of law that I personally examined and am familiar with the information submitted in this document, and that based on my inquiry of those individuals immediately responsible for obtaining the information, I believe that the information is true , accurate, and complete. I am aware that there are significant penalties for submitting false information, including the possibility of a fine and imprisonment for knowing violations.

Tony Louters (Jun 29, 2024 10:06 PDT)

Jun 29, 2024

Operator Signature | Date

Paul Stone

Hauler Signature | Date

Manure / Process Wastewater Tracking Manifest
For
Existing Milk Cow Dairies

General Order No. R5-2007-0035, Attachment D

INSTRUCTIONS

1) Complete one manifest for each hauling event, for each destination. A hauling event may last for several days, as long as the manure is being hauled to the same destination.
2) If there are multiple destinations, complete a separate form for each destination.
3) The operator must obtain the signature of the hauler upon completion of each manure/process wastewater hauling event.
4) The operator shall submit copies of manure/process wastewater tracking manifest(s) with the Annual Monitoring Report for Existing Milk Cow Dairies.

OPERATOR INFORMATION

Name of Operator: Tony Louters

Name of Dairy Facility: T & C Louters Dairy

Facility Address:

Number and Street	City	County	Zip Code
921 W Sandy Mush RD	Merced	Merced	95341

Contact Person Name and Phone Number:

Name	Phone Number
Tony Louters	(209) 564-6738

MANURE HAULER INFORMATION

Name of Hauling Company/Person: Kenneth Stone & Family Spreading

Address of Hauling Company/Person:

Number and Street	City	State	Zip Code
5175 W Shaw AVE	Winton	CA	95388

Contact Person:

Name	Phone Number
Paul Stone	(209) 358-6201

DESTINATION INFORMATION

Composting Facility / Broker / Farmer / Other (identify): Broker

Contact information of Composting Facility, Broker, Farmer, or Other (as identified above):

Name	Phone Number
Kenneth Stone & Family Spreading	(209) 358-6201

Address	City	State	Zip Code
5175 W Shaw AVE	Winton	CA	95388

Destination Address or Assessor's Parcel Number:

Address	City	Zip Code
1510 washington RD	El Nido	94317

Street and nearest cross street (if no address)	County
	Merced

Assessor's Parcel Number	Assessor's Parcel Number County
XXXX-XXXX-XXXX-XXXX	Merced

Last date hauled: 11/16/2023

Manure / Process Wastewater Tracking Manifest
For
Existing Milk Cow Dairies

General Order No. R5-2007-0035, Attachment D

MANURE AMOUNT HAULED

Enter the amount of manure hauled in tons, manure solids content, and the method used to calculate the amount:

Manure: 581.00 tons

Manure Solids Content: 24.3 %

Method used to determine amount of manure:

Scale weights

CERTIFICATION

I declare under penalty of law that I personally examined and am familiar with the information submitted in this document, and that based on my inquiry of those individuals immediately responsible for obtaining the information, I believe that the information is true , accurate, and complete. I am aware that there are significant penalties for submitting false information, including the possibility of a fine and imprisonment for knowing violations.

Tony Louters (Jun 29, 2024 10:06 PDT)

Jun 29, 2024

Operator Signature | Date

Paul Stone

Hauler Signature | Date

Manure / Process Wastewater Tracking Manifest
For
Existing Milk Cow Dairies

General Order No. R5-2007-0035, Attachment D

INSTRUCTIONS

1) Complete one manifest for each hauling event, for each destination. A hauling event may last for several days, as long as the manure is being hauled to the same destination.
2) If there are multiple destinations, complete a separate form for each destination.
3) The operator must obtain the signature of the hauler upon completion of each manure/process wastewater hauling event.
4) The operator shall submit copies of manure/process wastewater tracking manifest(s) with the Annual Monitoring Report for Existing Milk Cow Dairies.

OPERATOR INFORMATION

Name of Operator: Tony Louters

Name of Dairy Facility: T & C Louters Dairy

Facility Address:

Number and Street	City	County	Zip Code
921 W Sandy Mush RD	Merced	Merced	95341

Contact Person Name and Phone Number:

Name	Phone Number
Tony Louters	(209) 564-6738

MANURE HAULER INFORMATION

Name of Hauling Company/Person: Kenneth Stone & Family Spreading

Address of Hauling Company/Person:

Number and Street	City	State	Zip Code
5175 W Shaw AVE	Winton	CA	95388

Contact Person:

Name	Phone Number
Paul Stone	(209) 358-6201

DESTINATION INFORMATION

Composting Facility / Broker / Farmer / Other (identify): Broker

Contact information of Composting Facility, Broker, Farmer, or Other (as identified above):

Name	Phone Number
Kenneth Stone & Family Spreading	(209) 358-6201

Address	City	State	Zip Code
5175 W Shaw AVE	Winton	CA	95388

Destination Address or Assessor's Parcel Number:

Address	City	Zip Code
1510 Washington RD	El Nido	94317

Street and nearest cross street (if no address)	County
	Merced

Assessor's Parcel Number	Assessor's Parcel Number County
XXXX-XXXX-XXXX-XXXX	Merced

Last date hauled: 11/16/2023

Manure / Process Wastewater Tracking Manifest
For
Existing Milk Cow Dairies

General Order No. R5-2007-0035, Attachment D

MANURE AMOUNT HAULED

Enter the amount of manure hauled in tons, manure solids content, and the method used to calculate the amount:

Manure: 175.00 tons

Manure Solids Content: 56.3 %

Method used to determine amount of manure:

Scale Weights

CERTIFICATION

I declare under penalty of law that I personally examined and am familiar with the information submitted in this document, and that based on my inquiry of those individuals immediately responsible for obtaining the information, I believe that the information is true , accurate, and complete. I am aware that there are significant penalties for submitting false information, including the possibility of a fine and imprisonment for knowing violations.

Tony Louters (Jun 29, 2024 10:06 PDT)

Jun 29, 2024

Operator Signature | Date

Paul Stone

Hauler Signature | Date

Manure / Process Wastewater Tracking Manifest
For
Existing Milk Cow Dairies

General Order No. R5-2007-0035, Attachment D

INSTRUCTIONS

1) Complete one manifest for each hauling event, for each destination. A hauling event may last for several days, as long as the manure is being hauled to the same destination.
2) If there are multiple destinations, complete a separate form for each destination.
3) The operator must obtain the signature of the hauler upon completion of each manure/process wastewater hauling event.
4) The operator shall submit copies of manure/process wastewater tracking manifest(s) with the Annual Monitoring Report for Existing Milk Cow Dairies.

OPERATOR INFORMATION

Name of Operator: Tony Louters

Name of Dairy Facility: T & C Louters Dairy

Facility Address:

Number and Street	City	County	Zip Code
921 W Sandy Mush RD	Merced	Merced	95341

Contact Person Name and Phone Number:

Name	Phone Number
Tony Louters	(209) 564-6738

MANURE HAULER INFORMATION

Name of Hauling Company/Person: Kenneth Stone & Family Spreading

Address of Hauling Company/Person:

Number and Street	City	State	Zip Code
5175 W Shaw AVE	Winton	CA	95388

Contact Person:

Name	Phone Number
Paul Stone	(209) 358-6201

DESTINATION INFORMATION

Composting Facility / Broker / Farmer / Other (identify): Broker

Contact information of Composting Facility, Broker, Farmer, or Other (as identified above):

Name	Phone Number
Kenneth Stone & Family Spreading	(209) 358-6201

Address	City	State	Zip Code
5175 W Shaw AVE	Winton	CA	95388

Destination Address or Assessor's Parcel Number:

Address	City	Zip Code
5175 Shaw AVE	Winton	95355

Street and nearest cross street (if no address)	County
	Merced

Assessor's Parcel Number	Assessor's Parcel Number County
XXXX-XXXX-XXXX-XXXX	Merced

Last date hauled: 03/20/2023

Manure / Process Wastewater Tracking Manifest
For
Existing Milk Cow Dairies

General Order No. R5-2007-0035, Attachment D

MANURE AMOUNT HAULED

Enter the amount of manure hauled in tons, manure solids content, and the method used to calculate the amount:

Manure: 125.00 tons

Manure Solids Content: 24.8 %

Method used to determine amount of manure:

Scale Weights

CERTIFICATION

I declare under penalty of law that I personally examined and am familiar with the information submitted in this document, and that based on my inquiry of those individuals immediately responsible for obtaining the information, I believe that the information is true , accurate, and complete. I am aware that there are significant penalties for submitting false information, including the possibility of a fine and imprisonment for knowing violations.

Tony Louters (Jun 29, 2024 10:06 PDT)

Jun 29, 2024

Operator Signature | Date

Paul Stone

Hauler Signature | Date

Manure / Process Wastewater Tracking Manifest
For
Existing Milk Cow Dairies

General Order No. R5-2007-0035, Attachment D

INSTRUCTIONS

1) Complete one manifest for each hauling event, for each destination. A hauling event may last for several days, as long as the manure is being hauled to the same destination.
2) If there are multiple destinations, complete a separate form for each destination.
3) The operator must obtain the signature of the hauler upon completion of each manure/process wastewater hauling event.
4) The operator shall submit copies of manure/process wastewater tracking manifest(s) with the Annual Monitoring Report for Existing Milk Cow Dairies.

OPERATOR INFORMATION

Name of Operator: Tony Louters

Name of Dairy Facility: T & C Louters Dairy

Facility Address:

Number and Street	City	County	Zip Code
921 W Sandy Mush RD	Merced	Merced	95341

Contact Person Name and Phone Number:

Name	Phone Number
Tony Louters	(209) 564-6738

MANURE HAULER INFORMATION

Name of Hauling Company/Person: Kenneth Stone & Family Spreading

Address of Hauling Company/Person:

Number and Street	City	State	Zip Code
5175 W Shaw AVE	Winton	CA	95388

Contact Person:

Name	Phone Number
Paul Stone	(209) 358-6201

DESTINATION INFORMATION

Composting Facility / Broker / Farmer / Other (identify): Broker

Contact information of Composting Facility, Broker, Farmer, or Other (as identified above):

Name	Phone Number
Kenneth Stone & Family Spreading	(209) 358-6201

Address	City	State	Zip Code
5175 W Shaw AVE	Winton	CA	95388

Destination Address or Assessor's Parcel Number:

Address	City	Zip Code
5175 Shaw AVE	Winton	95355

Street and nearest cross street (if no address)	County
	Merced

Assessor's Parcel Number	Assessor's Parcel Number County
XXXX-XXXX-XXXX-XXXX	Merced

Last date hauled: 09/25/2023

Manure / Process Wastewater Tracking Manifest
For
Existing Milk Cow Dairies

General Order No. R5-2007-0035, Attachment D

MANURE AMOUNT HAULED

Enter the amount of manure hauled in tons, manure solids content, and the method used to calculate the amount:

Manure: 25.00 tons

Manure Solids Content: 24.3 %

Method used to determine amount of manure:

Scale Weights

CERTIFICATION

I declare under penalty of law that I personally examined and am familiar with the information submitted in this document, and that based on my inquiry of those individuals immediately responsible for obtaining the information, I believe that the information is true , accurate, and complete. I am aware that there are significant penalties for submitting false information, including the possibility of a fine and imprisonment for knowing violations.

Tony Louters (Jun 29, 2024 10:06 PDT)

Jun 29, 2024

Operator Signature | Date

Paul Stone

Hauler Signature | Date

Manure / Process Wastewater Tracking Manifest
For
Existing Milk Cow Dairies

General Order No. R5-2007-0035, Attachment D

INSTRUCTIONS

1) Complete one manifest for each hauling event, for each destination. A hauling event may last for several days, as long as the manure is being hauled to the same destination.
2) If there are multiple destinations, complete a separate form for each destination.
3) The operator must obtain the signature of the hauler upon completion of each manure/process wastewater hauling event.
4) The operator shall submit copies of manure/process wastewater tracking manifest(s) with the Annual Monitoring Report for Existing Milk Cow Dairies.

OPERATOR INFORMATION

Name of Operator: Tony Louters

Name of Dairy Facility: T & C Louters Dairy

Facility Address:

Number and Street	City	County	Zip Code
921 W Sandy Mush RD	Merced	Merced	95341

Contact Person Name and Phone Number:

Name	Phone Number
Tony Louters	(209) 564-6738

MANURE HAULER INFORMATION

Name of Hauling Company/Person: Kenneth Stone & Family Spreading

Address of Hauling Company/Person:

Number and Street	City	State	Zip Code
5175 W Shaw AVE	Winton	CA	95388

Contact Person:

Name	Phone Number
Paul Stone	(209) 358-6201

DESTINATION INFORMATION

Composting Facility / Broker / Farmer / Other (identify): Broker

Contact information of Composting Facility, Broker, Farmer, or Other (as identified above):

Name	Phone Number
Kenneth Stone & Family Spreading	(209) 358-6201

Address	City	State	Zip Code
5175 W Shaw AVE	Winton	CA	95388

Destination Address or Assessor's Parcel Number:

Address	City	Zip Code
5175 Shaw AVE	Winton	95355

Street and nearest cross street (if no address)	County
	Merced

Assessor's Parcel Number	Assessor's Parcel Number County
XXXX-XXXX-XXXX-XXXX	Merced

Last date hauled: 11/14/2023

Manure / Process Wastewater Tracking Manifest
For
Existing Milk Cow Dairies

General Order No. R5-2007-0035, Attachment D

MANURE AMOUNT HAULED

Enter the amount of manure hauled in tons, manure solids content, and the method used to calculate the amount:

Manure: 25.00 tons

Manure Solids Content: 56.3 %

Method used to determine amount of manure:

Scale Weights

CERTIFICATION

I declare under penalty of law that I personally examined and am familiar with the information submitted in this document, and that based on my inquiry of those individuals immediately responsible for obtaining the information, I believe that the information is true , accurate, and complete. I am aware that there are significant penalties for submitting false information, including the possibility of a fine and imprisonment for knowing violations.

Tony Louters (Jun 29, 2024 10:06 PDT)

Jun 29, 2024

Operator Signature | Date

Paul Stone

Hauler Signature | Date

DELLAVALLE LABORATORY INC

Report of Dairy Well Water Analysis

Agri-Valley Consulting
PO Box 3408
Merced CA 95344-3408
00-0003687 50

E-mail: Agri-Valley Consulting Group
Copy To:

Lab No.: 23E0586
Sampled By: Matt
Requested By: Agri-Valley Consulting
Submitted Date: 05/04/23
Reported Date: 05/25/23
Project: Louters
Crop ID:

		Date Sampled	Time Sampled	EC µmhos/cm	EC mmhos/cm	NO_3-N mg/L	Field NH_4-N mg/L	Total NH_4-N mg/L	Total NH_3-N mg/L	TKN mg/L	Total Nitrogen TN mg/L	TDS mg/L	pH Field Units	Temp Field °F
1	TL Dom Milk	5/4/23	11:14	1290	1.29	29	ND			ND	29.0	743	7.7	69.8
2	TL Dom F1	5/4/23	11:20	1280	1.28	29.0	ND			ND	29.0	753	7.7	70.2
3	TL DW F2	5/4/23	11:31	762	0.76	ND	ND			ND	ND	403	7.9	70.5

* = Field NH4-N not taken.
ND = None Detected

Approved By: Scott M Friedland
Laboratory Director\Technical Manager
ELAP Certification #1595
A2LA Certification #6440.02

DELLAVALLE™
LABORATORY INC

Agri-Valley Consulting
PO Box 3408
Merced, CA 95344-3408

Account# 00-0003687
Account Manager: House
Submitted By: Agri-Valley Consulting
Ranch: Louters

Received: 05/04/2023 14:06
Reported: 05/25/2023 15:51

Samples in this Report

Lab ID	Sample	Matrix	Sampled By	Crop	Date Sampled
23E0586-01	TL Dom Milk	Ag Water	Matt		05/04/2023 11:14
23E0586-02	TL Dom F1	Ag Water	Matt		05/04/2023 11:20
23E0586-03	TL DW F2	Ag Water	Matt		05/04/2023 11:31

Default Cooler Temperature on Receipt °C: 18.9
Containers Intact
COC/Labels Agree

Notes and Definitions

Item	Definition
H	Hold Time Exceeded
MCL	Drinking Water Maximum Contaminant Level
ND	Analyte NOT DETECTED at or above the reporting limit.
NES	Not Enough Sample
*	Not Taken
RPD	Relative Percent Difference
%REC	Percent Recovery
Source	Sample that was matrix spiked or duplicated.

Scott McFriedland

Laboratory Director/Technical Manager

ELAP Certification #1595
A2LA Certification #6440.02

The results in this report apply to the samples as received and were analyzed in accordance with the chain of custody document. This analytical report must be reproduced in its entirety. All results listed in this report are for the exclusive use of the submitting party. Dellavalle Laboratory, Inc. assumes no responsibility for report alteration, separation, detachment or third party interpretation.

DELLAVALLE™
LABORATORY INC

Agri-Valley Consulting
PO Box 3408
Merced, CA 95344-3408

Account# 00-0003687
Account Manager: House
Submitted By: Agri-Valley Consulting
Ranch: Louters

Received: 05/04/2023 14:06
Reported: 05/25/2023 15:51

Sample Results

Sample: TL Dom Milk
23E0586-01 (Water)

Sampled: 5/4/2023 11:14
Sampled By: Matt

Analyte	Result	Units	Reporting Limit	DIL	DW MCL	Date/Time Analyzed	Method	Notes	Batch
Electrical Conductivity	**1.29**	mmhos/cm	0.01	1		05/05/23 12:21	SM 2510 B		BEE0206
Electrical Conductivity umhos	**1290**	umhos/cm	10.0	1		05/05/23 12:21	SM 2510 B		BEE0206
Ammonia (as N)	ND	mg/L	0.00	1		05/04/23 11:14	Field		BEE0187
Nitrate Nitrogen as NO3N	**29.0**	mg/L	0.1	1	10	05/04/23 18:49	EPA 300.0		BEE0179
pH, Field Test	**7.7**	units	1.0	1		05/04/23 11:14	Field		BEE0187
pH	**7.5**	units	1.0	1		05/05/23 12:21	SM 4500-H+	H	BEE0206
Total Filterable Solids (TDS)	**743**	mg/L	10.0	1		05/25/23 09:48	SM 2540 C		BEE0211
Temperature, Field Test F	**69.8**	°F	0.00	1		05/04/23 11:14	Field		BEE0187
Temperature	**25.0**	°C	0.0	1		05/05/23 12:21	SM 2510 B		BEE0206
Kjeldahl Nitrogen (TKN), Total	ND	mg/L	1.00	1		05/08/23 13:26	SM 4500-NH3 C		BEE0204
Total Nitrogen	**29.0**	mg/L	1.00	1		05/08/23 13:26	SM 4500-NH3 C		BEE0204

The results in this report apply to the samples as received and were analyzed in accordance with the chain of custody document. This analytical report must be reproduced in its entirety. All results listed in this report are for the exclusive use of the submitting party. Dellavalle Laboratory, Inc. assumes no responsibility for report alteration, separation, detachment or third party interpretation.

DELLAVALLE™
LABORATORY INC

Agri-Valley Consulting
PO Box 3408
Merced, CA 95344-3408

Account# 00-0003687
Account Manager: House
Submitted By: Agri-Valley Consulting
Ranch: Louters

Received: 05/04/2023 14:06
Reported: 05/25/2023 15:51

Sample Results
(Continued)

Sample: TL Dom F1
23E0586-02 (Water)

Sampled: 5/4/2023 11:20
Sampled By: Matt

Analyte	Result	Units	Reporting Limit	DIL	DW MCL	Date/Time Analyzed	Method	Notes	Batch
Electrical Conductivity	**1.28**	mmhos/cm	0.01	1		05/05/23 12:22	SM 2510 B		BEE0206
Electrical Conductivity umhos	**1280**	umhos/cm	10.0	1		05/05/23 12:22	SM 2510 B		BEE0206
Ammonia (as N)	ND	mg/L	0.00	1		05/04/23 11:20	Field		BEE0187
Nitrate Nitrogen as NO3N	**29.0**	mg/L	0.1	1	10	05/04/23 19:08	EPA 300.0		BEE0179
pH, Field Test	**7.7**	units	1.0	1		05/04/23 11:20	Field		BEE0187
pH	**7.6**	units	1.0	1		05/05/23 12:22	SM 4500-H+	H	BEE0206
Total Filterable Solids (TDS)	**753**	mg/L	10.0	1		05/25/23 09:48	SM 2540 C		BEE0211
Temperature, Field Test F	**70.2**	°F	0.00	1		05/04/23 11:20	Field		BEE0187
Temperature	**25.0**	°C	0.0	1		05/05/23 12:22	SM 2510 B		BEE0206
Kjeldahl Nitrogen (TKN), Total	ND	mg/L	1.00	1		05/08/23 13:27	SM 4500-NH3 C		BEE0204
Total Nitrogen	**29.0**	mg/L	1.00	1		05/08/23 13:27	SM 4500-NH3 C		BEE0204

The results in this report apply to the samples as received and were analyzed in accordance with the chain of custody document. This analytical report must be reproduced in its entirety. All results listed in this report are for the exclusive use of the submitting party. Dellavalle Laboratory, Inc. assumes no responsibility for report alteration, separation, detachment or third party interpretation.

DELLAVALLE™ LABORATORY INC

Agri-Valley Consulting
PO Box 3408
Merced, CA 95344-3408

Account# 00-0003687
Account Manager: House
Submitted By: Agri-Valley Consulting
Ranch: Louters

Received: 05/04/2023 14:06
Reported: 05/25/2023 15:51

Sample Results
(Continued)

Sample: TL DW F2
23E0586-03 (Water)

Sampled: 5/4/2023 11:31
Sampled By: Matt

Analyte	Result	Units	Reporting Limit	DIL	DW MCL	Date/Time Analyzed	Method	Notes	Batch
Electrical Conductivity	**0.76**	mmhos/cm	0.01	1		05/05/23 12:29	SM 2510 B		BEE0206
Electrical Conductivity umhos	**762**	umhos/cm	10.0	1		05/05/23 12:29	SM 2510 B		BEE0206
Ammonia (as N)	ND	mg/L	0.00	1		05/04/23 11:31	Field		BEE0187
Nitrate Nitrogen as NO3N	ND	mg/L	0.1	1	10	05/04/23 19:28	EPA 300.0		BEE0179
pH, Field Test	**7.9**	units	1.0	1		05/04/23 11:31	Field		BEE0187
pH	**8.2**	units	1.0	1		05/05/23 12:29	SM 4500-H+	H	BEE0206
Total Filterable Solids (TDS)	**403**	mg/L	10.0	1		05/25/23 09:48	SM 2540 C		BEE0211
Temperature, Field Test F	**70.5**	°F	0.00	1		05/04/23 11:31	Field		BEE0187
Temperature	**25.0**	°C	0.0	1		05/05/23 12:29	SM 2510 B		BEE0206
Kjeldahl Nitrogen (TKN), Total	ND	mg/L	1.00	1		05/08/23 13:28	SM 4500-NH3 C		BEE0204
Total Nitrogen	ND	mg/L	1.00	1		05/08/23 13:28	SM 4500-NH3 C		BEE0204

The results in this report apply to the samples as received and were analyzed in accordance with the chain of custody document. This analytical report must be reproduced in its entirety. All results listed in this report are for the exclusive use of the submitting party. Dellavalle Laboratory, Inc. assumes no responsibility for report alteration, separation, detachment or third party interpretation.

DELLAVALLE™
LABORATORY INC

Agri-Valley Consulting
PO Box 3408
Merced, CA 95344-3408

Account# 00-0003687
Account Manager: House
Submitted By: Agri-Valley Consulting
Ranch: Louters

Received: 05/04/2023 14:06
Reported: 05/25/2023 15:51

Quality Control

Analyte	Result	Qual	Reporting Limit	Units	Spike Level	Source Result	%REC	%REC Limits	RPD	RPD Limit
Batch: BEE0179										
Blank (BEE0179-BLK1)					Prepared & Analyzed: 5/4/2023					
Nitrate Nitrogen as NO3N	ND		0.1	mg/L						
Blank (BEE0179-BLK2)					Prepared & Analyzed: 5/4/2023					
Nitrate Nitrogen as NO3N	ND		0.1	mg/L						
LCS (BEE0179-BS1)					Prepared & Analyzed: 5/4/2023					
Nitrate Nitrogen as NO3N	5.3		0.1	mg/L	5.000		106	90-110		
Duplicate (BEE0179-DUP1)		**Source: 23E0582-01**			Prepared & Analyzed: 5/4/2023					
Nitrate Nitrogen as NO3N	9.8		0.1	mg/L		10.0			1.68	10
Matrix Spike (BEE0179-MS1)		**Source: 23E0582-01**			Prepared & Analyzed: 5/4/2023					
Nitrate Nitrogen as NO3N	15.0		0.1	mg/L	5.000	10.0	99.4	90-110		
Reference (BEE0179-SRM1)					Prepared & Analyzed: 5/4/2023					
Nitrate Nitrogen as NO3N	11.0			mg/L	10.00		110	90-110		
Reference (BEE0179-SRM2)					Prepared & Analyzed: 5/4/2023					
Nitrate Nitrogen as NO3N	11.1			mg/L	10.00		111	90-110		

The results in this report apply to the samples as received and were analyzed in accordance with the chain of custody document. This analytical report must be reproduced in its entirety. All results listed in this report are for the exclusive use of the submitting party. Dellavalle Laboratory, Inc. assumes no responsibility for report alteration, separation, detachment or third party interpretation.

DELLAVALLE™ LABORATORY INC

Agri-Valley Consulting
PO Box 3408
Merced, CA 95344-3408

Account# 00-0003687
Account Manager: House
Submitted By: Agri-Valley Consulting
Ranch: Louters

Received: 05/04/2023 14:06
Reported: 05/25/2023 15:51

Quality Control
(Continued)

Analyte	Result	Qual	Reporting Limit	Units	Spike Level	Source Result	%REC	%REC Limits	RPD	RPD Limit
Batch: BEE0204										
Blank (BEE0204-BLK1)					Prepared: 5/5/2023	Analyzed: 5/8/2023				
Kjeldahl Nitrogen (TKN), Total	ND		1.00	mg/L						
Total Nitrogen	ND		1.00	mg/L						
Blank (BEE0204-BLK2)					Prepared: 5/5/2023	Analyzed: 5/8/2023				
Kjeldahl Nitrogen (TKN), Total	ND		1.00	mg/L						
Total Nitrogen	ND		1.00	mg/L						
Blank (BEE0204-BLK3)					Prepared: 5/5/2023	Analyzed: 5/8/2023				
Kjeldahl Nitrogen (TKN), Total	ND		1.00	mg/L						
Total Nitrogen	ND		1.00	mg/L						
LCS (BEE0204-BS1)					Prepared: 5/5/2023	Analyzed: 5/8/2023				
Kjeldahl Nitrogen (TKN), Total	6.02		1.00	mg/L	5.709		105	90-110		
LCS (BEE0204-BS2)					Prepared: 5/5/2023	Analyzed: 5/8/2023				
Kjeldahl Nitrogen (TKN), Total	6.02		1.00	mg/L	5.709		105	90-110		
Duplicate (BEE0204-DUP1)		**Source: 23E0047-01**			Prepared: 5/5/2023	Analyzed: 5/8/2023				
Kjeldahl Nitrogen (TKN), Total	31.4		3.50	mg/L		29.3			6.92	10
Duplicate (BEE0204-DUP2)		**Source: 23E0586-02**			Prepared: 5/5/2023	Analyzed: 5/8/2023				
Kjeldahl Nitrogen (TKN), Total	ND		1.40	mg/L		ND				10
Matrix Spike (BEE0204-MS1)		**Source: 23E0047-01**			Prepared: 5/5/2023	Analyzed: 5/8/2023				
Kjeldahl Nitrogen (TKN), Total	40.7		3.50	mg/L	9.990	29.3	114	90-110		
Matrix Spike (BEE0204-MS2)		**Source: 23E0586-02**			Prepared: 5/5/2023	Analyzed: 5/8/2023				
Kjeldahl Nitrogen (TKN), Total	6.52		1.40	mg/L	7.992	ND	81.6	90-110		
Reference (BEE0204-SRM1)					Prepared: 5/5/2023	Analyzed: 5/8/2023				
Kjeldahl Nitrogen (TKN), Total	24.5			mg/L	23.80		103	90-110		

The results in this report apply to the samples as received and were analyzed in accordance with the chain of custody document. This analytical report must be reproduced in its entirety. All results listed in this report are for the exclusive use of the submitting party. Dellavalle Laboratory, Inc. assumes no responsibility for report alteration, separation, detachment or third party interpretation.

DELLAVALLE™
LABORATORY INC

Agri-Valley Consulting
PO Box 3408
Merced, CA 95344-3408

Account# 00-0003687
Account Manager: House
Submitted By: Agri-Valley Consulting
Ranch: Louters

Received: 05/04/2023 14:06
Reported: 05/25/2023 15:51

Quality Control
(Continued)

Analyte	Result	Qual	Reporting Limit	Units	Spike Level	Source Result	%REC	%REC Limits	RPD	RPD Limit
Batch: BEE0206										
Blank (BEE0206-BLK1)					Prepared & Analyzed: 5/5/2023					
Electrical Conductivity	ND		0.01	mmhos/cm						
pH	5.6		1.0	units						
Electrical Conductivity umhos	ND		10.0	umhos/cm						
Temperature	25.0		0.0	°C						
Blank (BEE0206-BLK2)					Prepared & Analyzed: 5/5/2023					
Electrical Conductivity	ND		0.01	mmhos/cm						
pH	5.7		1.0	units						
Electrical Conductivity umhos	ND		10.0	umhos/cm						
Temperature	25.0		0.0	°C						
Blank (BEE0206-BLK3)					Prepared & Analyzed: 5/5/2023					
Electrical Conductivity	ND		0.01	mmhos/cm						
pH	5.5		1.0	units						
Electrical Conductivity umhos	ND		10.0	umhos/cm						
Temperature	25.0		0.0	°C						
Duplicate (BEE0206-DUP1)		**Source: 23E0586-02**			Prepared & Analyzed: 5/5/2023					
Electrical Conductivity	1.27		0.01	mmhos/cm		1.28			0.353	10
pH	7.6		1.0	units		7.6			0.264	10
Electrical Conductivity umhos	1270		10.0	umhos/cm		1280			0.353	10
Duplicate (BEE0206-DUP2)		**Source: 23E0601-03**			Prepared & Analyzed: 5/5/2023					
Electrical Conductivity	2.09		0.01	mmhos/cm		2.09			0.230	10
pH	4.6		1.0	units		4.6			0.220	10
Electrical Conductivity umhos	2090		10.0	umhos/cm		2090			0.230	10
Reference (BEE0206-SRM1)					Prepared & Analyzed: 5/5/2023					
Electrical Conductivity	556			umhos/cm	538.0		103	90-110		
Reference (BEE0206-SRM2)					Prepared & Analyzed: 5/5/2023					
pH	7.6			units	7.620		99.9	68766-101.31		
Reference (BEE0206-SRM3)					Prepared & Analyzed: 5/5/2023					
Electrical Conductivity	1040			umhos/cm	1000		104	90-110		
Electrical Conductivity umhos	1040			umhos/cm	1000		104	90-110		
Reference (BEE0206-SRM4)					Prepared & Analyzed: 5/5/2023					
Electrical Conductivity	1050			umhos/cm	1000		105	90-110		
Electrical Conductivity umhos	1050			umhos/cm	1000		105	90-110		
Reference (BEE0206-SRM5)					Prepared & Analyzed: 5/5/2023					
Electrical Conductivity	1050			umhos/cm	1000		105	90-110		

The results in this report apply to the samples as received and were analyzed in accordance with the chain of custody document. This analytical report must be reproduced in its entirety. All results listed in this report are for the exclusive use of the submitting party. Dellavalle Laboratory, Inc. assumes no responsibility for report alteration, separation, detachment or third party interpretation.

DELLAVALLE™
LABORATORY INC

Agri-Valley Consulting
PO Box 3408
Merced, CA 95344-3408

Account# 00-0003687
Account Manager: House
Submitted By: Agri-Valley Consulting
Ranch: Louters

Received: 05/04/2023 14:06
Reported: 05/25/2023 15:51

Quality Control
(Continued)

Analyte	Result	Qual	Reporting Limit	Units	Spike Level	Source Result	%REC	%REC Limits	RPD	RPD Limit
Batch: BEE0206 (Continued)										
Reference (BEE0206-SRM5)					Prepared & Analyzed: 5/5/2023					
Electrical Conductivity umhos	1050			umhos/cm	1000		105	90-110		
Reference (BEE0206-SRM6)					Prepared & Analyzed: 5/5/2023					
pH	4.0			units	4.000		100	97.5-102.5		
Reference (BEE0206-SRM7)					Prepared & Analyzed: 5/5/2023					
pH	4.0			units	4.000		100	97.5-102.5		
Reference (BEE0206-SRM8)					Prepared & Analyzed: 5/5/2023					
pH	4.0			units	4.000		100	97.5-102.5		

The results in this report apply to the samples as received and were analyzed in accordance with the chain of custody document. This analytical report must be reproduced in its entirety. All results listed in this report are for the exclusive use of the submitting party. Dellavalle Laboratory, Inc. assumes no responsibility for report alteration, separation, detachment or third party interpretation.

DELLAVALLE™
LABORATORY INC

Agri-Valley Consulting
PO Box 3408
Merced, CA 95344-3408

Account# 00-0003687
Account Manager: House
Submitted By: Agri-Valley Consulting
Ranch: Louters

Received: 05/04/2023 14:06
Reported: 05/25/2023 15:51

Quality Control
(Continued)

Analyte	Result	Qual	Reporting Limit	Units	Spike Level	Source Result	%REC	%REC Limits	RPD	RPD Limit
Batch: BEE0211										
Blank (BEE0211-BLK1)					Prepared: 5/5/2023 Analyzed: 5/25/2023					
Total Filterable Solids (TDS)	10.0		10.0	mg/L						
LCS (BEE0211-BS1)					Prepared: 5/5/2023 Analyzed: 5/25/2023					
Total Filterable Solids (TDS)	35.0		10.0	mg/L	2000		1.75	0-200		
Duplicate (BEE0211-DUP1)		**Source: 23E0573-01**			Prepared: 5/5/2023 Analyzed: 5/25/2023					
Total Filterable Solids (TDS)	2380		10.0	mg/L		2480			4.12	5
Duplicate (BEE0211-DUP2)		**Source: 23E0607-01**			Prepared: 5/5/2023 Analyzed: 5/25/2023					
Total Filterable Solids (TDS)	2520		10.0	mg/L		2440			3.23	5
Reference (BEE0211-SRM1)					Prepared: 5/5/2023 Analyzed: 5/25/2023					
Total Filterable Solids (TDS)	337			mg/L	325.0		104	90-110		

The results in this report apply to the samples as received and were analyzed in accordance with the chain of custody document. This analytical report must be reproduced in its entirety. All results listed in this report are for the exclusive use of the submitting party. Dellavalle Laboratory, Inc. assumes no responsibility for report alteration, separation, detachment or third party interpretation.

05/04/23 14:06 23E0586

DELLAVALLE LABORATORY, INC.

1910 W. McKinley Avenue, Suite 110 • Fresno, CA 93728
www.dellavallelab.com 559 233-6129 · 800 228-9896 · Fax 559 268-8174

JG

No. Samples: 3 No. of Bottles: 3

Purchase Order No	Bill To:	Acct # 3687	Cons # 50

Name: Agri-Valley Consulting
Address: PO Box 3408
City: Merced **State:** CA **Zip:** 95344
Telephone: (209) 722-7665 **Fax:** (209) 722-4370
Email: ckjmorg@aol.com, joe@agrivalleyconsulting.com, matt@agrivalleyconsulting.com,
COPY TO: giuliana@agrivalleyconsulting.com, steve@agrivalleyconsulting.com, kyle@agrivalleyconsulting.com, kaleb@agrivalleyconsulting.com, chase@agrivalleyconsulting.com, delia@agrivalleyconsulting.com, tammy@agrivalleyconsulting.com, osbaldo@agrivalleyconsulting.com

REQUESTED BY: Agri-Valley Consulting
PROJECT: Louters
CROP:

[X] QA/QC Document [X] Copy of Chain

Sampled By: Matt

Water Type [ ] Drinking Water [ ] Wastewater
[X] Ag Water [ ] Groundwater [ ] Montioring Well

Other:

Analysis and Bottles Required: (Please indicate Analysis)

(X) DWW1: EC,NO_3-N,TDS,TKN,TN *NH_4-N Field Test
(1-1 Liter Plastic, Unpreserved) White Per Sample
( ) DWW2: DWW1 Plus SO_4,CO_3,HCO_3,Cl,Ca,Mg,Na
(1-1 Liter Plastic, Unpreserved) White Per Sample
( ) DCW1: EC,NO_3-N,TKN,TN,TDS,***NH_4-N Field Test**
(1-1 Liter Plastic, Unpreserved) White Per Sample
( ) DPW1: EC,NO_3-N,NH_4-N,TKN,TDS,TP,TK
(1-1 Liter Plastic, Unpreserved) White Per Sample
( ) DPW2: DPW1 Plus Ca,Mg,Na,HCO_3,CO_3,SO_4,Cl
(1-1 Liter Plastic, Unpreserved) White Per Sample
( ) AG SUITABILITY
(X) Total N, TDS
* If field NH_4-N detected Run NH_4-N, UnNH_4-N
***NEED FIELD TEMP & Ph for UnNH_4-N

	DESCRIPTION OF SAMPLE	Field pH	Field Temp	Date Sampled	Time Sampled	Rec'd Temp °C	Field NH_4-N
1	TL Dom Milk	7.7	69.8	5/4/2023	11:14	18.7	0
2	TL Dom F1	7.7	70.2	5/4/2023	11:20	18.8	0
3	TL DW F2	7.9	70.5	5/4/2023	11:31	19.3	0
4							
5							
6							
7							
8							
9							
10							

Out of Temperature Compliance
Proceed: [X] Yes [ ] No
Approved By: _____ (Client)
Initial and Date: _____ (DLI)

CHAIN OF CUSTODY

Carrier	Signature	Company	Received (Date/Time)	Relinquished (Date/Time)
First		Agri-Valley Consulting		5/4/23 1:00
Second		Agri-Valley Consulting	5/4/23 1:00	5/4/23 2:06
Third				
Fourth	KS	DCL	5-4 14:06	

I guarantee that as the client, or on behalf of client named, I have the authority to contract the above requested services. Should it be found that I do not have such authority, I agree to be personally liable for all costs and, if there should be action against me for this breach, reasonable attorneys' fees. It is understood that payment is expected to be cash with samples unless terms have been previously arranged. Terms are net 30 days; overdue accounts will be charged a liquidated damage fee of 2% per month (annually 24%) or $5.00 per month whichever is greater.

If payment is not made when due and a legitimate dispute exists concerning the product or services of Dellavalle Laboratory, Inc., it will be submitted to mediation under the Rules and Procedures of Creative Alternative to Litigation, Inc. (*cal*). If the dispute is not resolved in mediation, then the dispute will be submitted to binding arbitration through *cal* under its Rules and Procedures. The parties will equally bear the costs of mediation/arbitration. If, however, the mediator declares that no legitimate dispute exists, then debtor will pay all mediation and arbitration costs, and in the event of arbitration, reasonable attorneys' fees of Dellavalle Laboratory.

Paste Label Here

05/04/23 14:06 23E0586

Shipping Information: Shipped In ☐ Picked-Up ☐ Walk In ☒ DLI Sampler ☐ Other ☐ _____

☐ Samples refridgerated before pick up | ☐ Picked up samples placed in Ice chest

Container: Ice Chest ☐ Box ☐ None ☒ | **Refrigerant:** Wet Ice ☐ Blue Ice ☐ None ☒

Samples Preserved with HNO_3 or H_2SO_4 were: ☐ Received Preserved ☐ Preserved Upon Receipt at Laboratory

	Type of Container(s) Received	Sample Number 1	2	3	4	5	6	7	8	9	10
	Sample Containers for Internal (DLI) Use *(Containers that go into the Lab)*										
Plastics	100 mL sterile plastic $Na_2S_2O_3$ (Green)										
	250 mL unpreserved (White) Plastic										
	250 mL HNO_3 (Red) Plastic										
	* pH Value										
	250 mL H_2SO_4 (Yellow) Plastic										
	* pH Value										
	500 mL unpreserved (White) Plastic	+	KB	5-4-23							
	1 L unpreserved (White) Plastic										
	1 L unpreserved (BOD) (Purple) Plastic										
Special	500mL unpreserved (White) Glass										
	PO4-P Kit										
	Other:										
	Sample Containers for Subcontracted ("Send Out") Analyses *(Containers that go in the Subcontract ("Send Out") Refrigerator)*										
Plastics	100 mL sterile plastic $Na_2S_2O_3$ (Green)										
	250 mL unpreserved (White) Plastic										
	250 mL HNO_3 (Red) Plastic										
	250 mL H_2SO_4 (Yellow) Plastic										
	500 mL HNO_3 (Red)										
	1 L unpreserved (White) Plastic										
	1 L unpreserved (BOD) (Purple) Plastic										
	1 L HNO_3 (Red)										
VOA Vials	40 mL VOA, $Na_2S_2O_3$ + MCAA (EPA531)										
	40 mL VOA, $Na_2S_2O_3$ (EPA547)										
	40mL AG VOA unpreserved (White) (Set of 3)										
	40 mL AG VOA, $Na_2S_2O_3$ (Green) (Set of 3)										
	40mL VOA, H_3PO_4 (Set of 3)										
	40 mL VOA, HCl (Blue) (Set of 3)										
	40 mL VOA, $Na_2S_2O_3$ (Green) (Set of 3)										
Glass	250 mL AG unpreserved (White)										
	250 mL AG H_2SO_4 (Yellow)										
	250 mL AG $Na_2S_2O_3$ (Green)										
	250 mL AG $Na_2S_2O_3$ + MCAA										
	500 mL glass unpreserved (White)										
	500 mL AG HCl (Blue)										
	1 L AG unpreserved (White)										
	1 L AG H_2SO_4 (Yellow)										
	1 L AG $Na_2S_2O_3$ (Green)										
	1 L AG HCl (Blue)										
Special	Cr^{6+} - 50mL Plastic w/Borate/HCO_3/CO_3										
	Cyanide - 500 mL NaOH										
	Asbestos - 1L P wrapped in foil (Set of 2)										
	Sulfide - 1 L **AG** or **P** NaOH + ZnAc										
	Chlorite/Bromate - 250 mL AG with EDA										
	HAA5 - 250mL AG Ammonium Chlorite										
	DO KIT										
	Other:										
	Other:										

DRAFT
SEMI-OUT

T&C Louters 2023 Annual Report Final

Final Audit Report 2024-06-29

Created:	2024-06-29
By:	Joe Ramos (jramos@fragservices.com)
Status:	Signed
Transaction ID:	CBJCHBCAABAAvZz105oBwI49b-iFICHRgef3Z5KhmcPY

"T&C Louters 2023 Annual Report Final" History

Document created by Joe Ramos (jramos@fragservices.com)
2024-06-29 - 2:54:10 PM GMT

Document emailed to tonylouters@gmail.com for signature
2024-06-29 - 3:01:10 PM GMT

Email viewed by tonylouters@gmail.com
2024-06-29 - 5:05:08 PM GMT

Signer tonylouters@gmail.com entered name at signing as Tony Louters
2024-06-29 - 5:06:38 PM GMT

Document e-signed by Tony Louters (tonylouters@gmail.com)
Signature Date: 2024-06-29 - 5:06:40 PM GMT - Time Source: server

Agreement completed.
2024-06-29 - 5:06:40 PM GMT