CALIFORNIA REGIONAL WATER QUALITY CONTROL BOARD

CENTRAL VALLEY REGION
11020 SUN CENTER DR #200
RANCHO CORDOVA CA 95670-6114

2023 ANNUAL REPORT

PREPARED FOR:

DEMATOS DAIRY

931 S BLAKER RD

TURLOCK CA 95380

NOTES:

PREPARED BY:

CARDOSO AG SERVICES INC.
PO BOX 906
NEWMAN CA 95360

Annual Report - General Order No. R5-2007-0035
Reporting period 01/01/2023 to 12/31/2023.

DAIRY FACILITY INFORMATION

A. NAME OF DAIRY OR BUSINESS OPERATING THE DAIRY: DeMatos Dairy

Physical address of dairy:

931 S Blaker RD	Turlock	Stanislaus	95380
Number and Street	City	County	Zip Code

Street and nearest cross street (if no address): Combined with 824 S. Morgan Road

Date facility was originally placed in operation: 01/01/1967

Regional Water Quality Control Board Basin Plan designation: San Joaquin River Basin

County Assessor Parcel Number(s) for dairy facility:

X058-X009-X001-XXXX X058-X009-X002-XXXX

B. OPERATORS

DeMatos, Nuno

Operator name: DeMatos, Nuno Telephone no.: Landline: (209) 579-4831 Cellular

931 S Blaker RD	Turlock	CA	95380
Mailing Address Number and Street	City	State	Zip Code

This operator is responsible for paying permit fees.

C. OWNERS

Living Trust, Arien & Nina

Legal owner name: Living Trust, Arien & Nina Telephone no.: Landline: (209) 634-6071 Cellular

1319 S Morgan RD	Turlock	CA	95380
Mailing Address Number and Street	City	State	Zip Code

AVAILABLE NUTRIENTS

A. HERD INFORMATION

	Milk Cows	Dry Cows	Bred Heifers (15-24 mo.)	Heifers (7-14 mo. to breeding)	Calves (4-6 mo.)	Calves (0-3 mo.)
Number open confinement	0	95	80	96	62	59
Number under roof	745	0	0	0	0	0
Maximum number	745	95	80	96	62	59
Average number	745	95	80	96	62	59
Avg live weight (lbs)	1,400	1,500	1,100	775		

Predominant milk cow breed: Holstein

Average milk production: 69 *pounds per cow per day*

B. MANURE GENERATED

Total manure excreted by the herd: 22,644.19 *tons per reporting period*

Total nitrogen from manure: 288,938.00 *lbs per reporting period*

After ammonia losses (30% loss applied): 202,256.60 *lbs per reporting period*

Total phosphorus from manure: 47,641.63 *lbs per reporting period*

Total potassium from manure: 142,184.91 *lbs per reporting period*

Total salt from manure: 372,628.50 *lbs per reporting period*

C. PROCESS WASTEWATER GENERATED

Process wastewater generated: 6,977,143 *gallons*

Total nitrogen generated: 31,177.08 *lbs*

Total phosphorus generated: 6,041.69 *lbs*

Total potassium generated: 38,319.41 *lbs*

Total salt generated: 249,002.41 *lbs*

	6,977,143	*gallons applied*
+	0	*gallons exported*
-	0	*gallons imported*
=	6,977,143	*gallons generated*

D. FRESH WATER SOURCES

Source Description	Type
Canal	Surface water
Domestic Well	Ground water

E. SUBSURFACE (TILE) DRAINAGE SOURCES

No subsurface (tile) drainage sources entered.

F. NUTRIENT IMPORTS

No dry manure nutrient imports entered.

No process wastewater nutrient imports entered.

No commercial or other nutrient imports entered.

G. NUTRIENT EXPORTS

No solid nutrient exports entered.

No liquid nutrient exports entered.

APPLICATION AREA

A. LIST OF LAND APPLICATION AREAS

Field name	Controlled acres	Cropable acres	Total harvests	Type of waste applied	Parcel number
Blaker Field	23	23	2	process wastewater	X058-X009-X002-XXXX
Linwood	28	28	3	both	X058-X009-X021-XXXX
Morgan East	33	33	2	both	X058-X009-X001-XXXX
Totals for areas that were used for application	84	84	7		
Totals for areas that were not used for application					
Land application area totals	84	84	7		

B. CROPS AND HARVESTS

Blaker Field

Field name: Blaker Field

10/20/2022: Oats, silage-soft dough

Crop: Oats, silage-soft dough Acres planted: 23 Plant date: 10/20/2022

Harvest date	Yield	Reporting basis	Density (lbs/cu ft)	Moisture (%)	N (mg/kg)	P (mg/kg)	K (mg/kg)	Salt (mg/kg)	TFS (%)
05/02/2023	420.00 *ton*	Dry-weight		74.1	26,800.00	2,700.00	24,300.00		10.10

	Yield (tons/acre)	Total N (lbs/acre)	Total P (lbs/acre)	Total K (lbs/acre)	Salt (lbs/acre)
Anticipated harvest content	16.00	160.00	25.60	132.80	0.00
Total actual harvest content	18.26	253.50	25.54	229.86	955.37

05/20/2023: Corn, silage

Crop: Corn, silage Acres planted: 23 Plant date: 05/20/2023

Harvest date	Yield	Reporting basis	Density (lbs/cu ft)	Moisture (%)	N (mg/kg)	P (mg/kg)	K (mg/kg)	Salt (mg/kg)	TFS (%)
10/11/2023	502.00 *ton*	Dry-weight		66.4	16,200.00	3,500.00	16,900.00		7.30

	Yield (tons/acre)	Total N (lbs/acre)	Total P (lbs/acre)	Total K (lbs/acre)	Salt (lbs/acre)
Anticipated harvest content	30.00	240.00	45.00	198.00	0.00
Total actual harvest content	21.83	237.61	51.33	247.87	1,070.70

Linwood

Field name: Linwood

11/09/2022: Oats, silage-soft dough

Crop: Oats, silage-soft dough Acres planted: 28 Plant date: 11/09/2022

Harvest date	Yield	Reporting basis	Density (lbs/cu ft)	Moisture (%)	N (mg/kg)	P (mg/kg)	K (mg/kg)	Salt (mg/kg)	TFS (%)
05/02/2023	412.00 *ton*	Dry-weight		67.1	24,500.00	4,300.00	34,800.00		17.60

	Yield (tons/acre)	Total N (lbs/acre)	Total P (lbs/acre)	Total K (lbs/acre)	Salt (lbs/acre)
Anticipated harvest content	16.00	160.00	25.60	132.80	0.00
Total actual harvest content	14.71	237.21	41.63	336.93	1,704.03

05/18/2023: Sudangrass, silage

Crop: Sudangrass, silage Acres planted: 28 Plant date: 05/18/2023

Harvest date	Yield	Reporting basis	Density (lbs/cu ft)	Moisture (%)	N (mg/kg)	P (mg/kg)	K (mg/kg)	Salt (mg/kg)	TFS (%)
07/22/2023	52.50 *ton*	Dry-weight		85.8	18,100.00	4,500.00	36,900.00		12.60
09/29/2023	282.80 *ton*	Dry-weight		85.8	18,100.00	4,500.00	36,900.00		12.60

	Yield (tons/acre)	Total N (lbs/acre)	Total P (lbs/acre)	Total K (lbs/acre)	Salt (lbs/acre)
Anticipated harvest content	8.00	88.00	13.60	96.00	0.00
Total actual harvest content	11.98	61.56	15.30	125.49	428.51

Morgan East

Field name: Morgan East

Morgan East

10/20/2022: Oats, silage-soft dough

Crop: Oats, silage-soft dough Acres planted: 33 Plant date: 10/20/2022

Harvest date	Yield	Reporting basis	Density (lbs/cu ft)	Moisture (%)	N (mg/kg)	P (mg/kg)	K (mg/kg)	Salt (mg/kg)	TFS (%)
05/02/2023	603.00 *ton*	Dry-weight		73.1	28,600.00	3,400.00	32,300.00		11.60

	Yield (tons/acre)	Total N (lbs/acre)	Total P (lbs/acre)	Total K (lbs/acre)	Salt (lbs/acre)
Anticipated harvest content	16.00	160.00	25.60	132.80	0.00
Total actual harvest content	18.27	281.16	33.42	317.53	1,140.36

05/20/2023: Corn, silage

Crop: Corn, silage Acres planted: 33 Plant date: 05/20/2023

Harvest date	Yield	Reporting basis	Density (lbs/cu ft)	Moisture (%)	N (mg/kg)	P (mg/kg)	K (mg/kg)	Salt (mg/kg)	TFS (%)
10/11/2023	721.00 *ton*	Dry-weight		67.4	15,200.00	3,200.00	17,700.00		6.80

	Yield (tons/acre)	Total N (lbs/acre)	Total P (lbs/acre)	Total K (lbs/acre)	Salt (lbs/acre)
Anticipated harvest content	30.00	240.00	45.00	198.00	0.00
Total actual harvest content	21.85	216.53	45.58	252.14	968.67

NUTRIENT BUDGET

A. LAND APPLICATIONS

Blaker Field - 10/20/2022: Oats, silage-soft dough

Field name: Blaker Field

Crop: Oats, silage-soft dough — Plant date: 10/20/2022

Application date	Application method	Precipitation 24 hours prior	Precipitation during application	Precipitation 24 hours following
10/30/2022	Surface (irrigation)	No precipitation	No precipitation	No precipitation

Source description	Material type	N (lbs/acre)	P (lbs/acre)	K (lbs/acre)	Salt (lbs/acre)	Amount
Lagoon Water	Process wastewater	104.52	17.57	131.21	876.22	616,071.00 *gal*
Application event totals		104.52	17.57	131.21	876.22	

Application date	Application method	Precipitation 24 hours prior	Precipitation during application	Precipitation 24 hours following
03/18/2023	Surface (irrigation)	No precipitation	No precipitation	No precipitation

Source description	Material type	N (lbs/acre)	P (lbs/acre)	K (lbs/acre)	Salt (lbs/acre)	Amount
Lagoon Water	Process wastewater	109.81	14.86	118.86	617.17	315,000.00 *gal*
Application event totals		109.81	14.86	118.86	617.17	

Application date	Application method	Precipitation 24 hours prior	Precipitation during application	Precipitation 24 hours following
04/13/2023	Surface (irrigation)	No precipitation	No precipitation	No precipitation

Source description	Material type	N (lbs/acre)	P (lbs/acre)	K (lbs/acre)	Salt (lbs/acre)	Amount
Lagoon Water	Process wastewater	102.26	19.76	123.73	797.99	418,929.00 *gal*
Canal	Surface water	6.66	0.00	0.00	177.35	2,868,474.00 *gal*
Application event totals		108.93	19.76	123.73	975.34	

Blaker Field - 05/20/2023: Corn, silage

Field name: Blaker Field

Crop: Corn, silage — Plant date: 05/20/2023

Application date	Application method	Precipitation 24 hours prior	Precipitation during application	Precipitation 24 hours following

Blaker Field - 05/20/2023: Corn, silage

Application date	Application method	Precipitation 24 hours prior	Precipitation during application	Precipitation 24 hours following
05/10/2023	Surface (irrigation)	No precipitation	No precipitation	No precipitation

Source description	Material type	N (lbs/acre)	P (lbs/acre)	K (lbs/acre)	Salt (lbs/acre)	Amount
Lagoon Water	Process wastewater	84.22	16.27	101.89	657.17	345,000.00 *gal*
Canal	Surface water	6.87	0.00	0.00	182.84	2,957,347.00 *gal*
Application event totals		91.08	16.27	101.89	840.01	

06/06/2023	Surface (irrigation)	No precipitation	No precipitation	No precipitation

Source description	Material type	N (lbs/acre)	P (lbs/acre)	K (lbs/acre)	Salt (lbs/acre)	Amount
Lagoon Water	Process wastewater	84.22	16.27	101.89	657.17	345,000.00 *gal*
Canal	Surface water	10.09	0.00	0.00	268.76	4,347,148.00 *gal*
Application event totals		94.31	16.27	101.89	925.93	

07/14/2023	Surface (irrigation)	No precipitation	No precipitation	No precipitation

Source description	Material type	N (lbs/acre)	P (lbs/acre)	K (lbs/acre)	Salt (lbs/acre)	Amount
Canal	Surface water	8.95	0.00	0.00	238.29	3,854,256.00 *gal*
Application event totals		8.95	0.00	0.00	238.29	

07/26/2023	Surface (irrigation)	No precipitation	No precipitation	No precipitation

Source description	Material type	N (lbs/acre)	P (lbs/acre)	K (lbs/acre)	Salt (lbs/acre)	Amount
Lagoon Water	Process wastewater	46.74	11.35	61.16	419.78	369,643.00 *gal*
Canal	Surface water	6.66	0.00	0.00	177.35	2,868,474.00 *gal*
Application event totals		53.40	11.35	61.16	597.13	

08/08/2023	Surface (irrigation)	No precipitation	No precipitation	No precipitation

Source description	Material type	N (lbs/acre)	P (lbs/acre)	K (lbs/acre)	Salt (lbs/acre)	Amount
Canal	Surface water	7.47	0.00	0.00	198.76	3,214,906.00 *gal*
Application event totals		7.47	0.00	0.00	198.76	

Blaker Field - 05/20/2023: Corn, silage

Application date	Application method	Precipitation 24 hours prior	Precipitation during application	Precipitation 24 hours following
08/24/2023	Surface (irrigation)	No precipitation	No precipitation	No precipitation

Source description	Material type	N (lbs/acre)	P (lbs/acre)	K (lbs/acre)	Salt (lbs/acre)	Amount
Lagoon Water	Process wastewater	46.74	11.35	61.16	419.78	369,643.00 *gal*
Canal	Surface water	8.27	0.00	0.00	220.18	3,561,370.00 *gal*
Application event totals		55.01	11.35	61.16	639.97	

Application date	Application method	Precipitation 24 hours prior	Precipitation during application	Precipitation 24 hours following
09/08/2023	Surface (irrigation)	No precipitation	No precipitation	No precipitation

Source description	Material type	N (lbs/acre)	P (lbs/acre)	K (lbs/acre)	Salt (lbs/acre)	Amount
Canal	Surface water	7.81	0.00	0.00	207.82	3,361,365.00 *gal*
Application event totals		7.81	0.00	0.00	207.82	

Application date	Application method	Precipitation 24 hours prior	Precipitation during application	Precipitation 24 hours following
09/20/2023	Surface (irrigation)	No precipitation	No precipitation	No precipitation

Source description	Material type	N (lbs/acre)	P (lbs/acre)	K (lbs/acre)	Salt (lbs/acre)	Amount
Canal	Surface water	6.66	0.00	0.00	177.35	2,868,474.00 *gal*
Application event totals		6.66	0.00	0.00	177.35	

Linwood - 11/09/2022: Oats, silage-soft dough

Field name: Linwood

Crop: Oats, silage-soft dough

Plant date: 11/09/2022

Application date	Application method	Precipitation 24 hours prior	Precipitation during application	Precipitation 24 hours following
10/28/2022	Broadcast/incorporate	No precipitation	No precipitation	No precipitation

Source description	Material type	N (lbs/acre)	P (lbs/acre)	K (lbs/acre)	Salt (lbs/acre)	Amount
Solid Manure	Corral solids	168.75	27.75	217.50	0.00	280.00 *ton*
Application event totals		168.75	27.75	217.50	0.00	

Application date	Application method	Precipitation 24 hours prior	Precipitation during application	Precipitation 24 hours following
10/30/2022	Surface (irrigation)	No precipitation	No precipitation	No precipitation

Source description	Material type	N (lbs/acre)	P (lbs/acre)	K (lbs/acre)	Salt (lbs/acre)	Amount
Lagoon Water	Process wastewater	62.71	10.54	78.73	525.74	450,000.00 *gal*
Application event totals		62.71	10.54	78.73	525.74	

Linwood - 11/09/2022: Oats, silage-soft dough

Application date	Application method	Precipitation 24 hours prior	Precipitation during application	Precipitation 24 hours following
04/14/2023	Surface (irrigation)	No precipitation	No precipitation	No precipitation

Source description	Material type	N (lbs/acre)	P (lbs/acre)	K (lbs/acre)	Salt (lbs/acre)	Amount
Lagoon Water	Process wastewater	84.22	16.27	101.89	657.17	420,000.00 *gal*
Canal	Surface water	9.32	0.00	0.00	248.02	4,883,644.00 *gal*
Application event totals		93.53	16.27	101.89	905.19	

Linwood - 05/18/2023: Sudangrass, silage

Field name: Linwood

Crop: Sudangrass, silage

Plant date: 05/18/2023

Application date	Application method	Precipitation 24 hours prior	Precipitation during application	Precipitation 24 hours following
05/13/2023	Surface (irrigation)	No precipitation	No precipitation	No precipitation

Source description	Material type	N (lbs/acre)	P (lbs/acre)	K (lbs/acre)	Salt (lbs/acre)	Amount
Lagoon Water	Process wastewater	64.67	12.50	78.24	504.61	322,500.00 *gal*
Canal	Surface water	2.06	0.00	0.00	351.36	6,918,499.00 *gal*
Application event totals		66.73	12.50	78.24	855.97	

Application date	Application method	Precipitation 24 hours prior	Precipitation during application	Precipitation 24 hours following
06/01/2023	Surface (irrigation)	No precipitation	No precipitation	No precipitation

Source description	Material type	N (lbs/acre)	P (lbs/acre)	K (lbs/acre)	Salt (lbs/acre)	Amount
Canal	Surface water	2.18	0.00	0.00	372.03	7,325,482.00 *gal*
Application event totals		2.18	0.00	0.00	372.03	

Application date	Application method	Precipitation 24 hours prior	Precipitation during application	Precipitation 24 hours following
06/27/2023	Surface (irrigation)	No precipitation	No precipitation	No precipitation

Source description	Material type	N (lbs/acre)	P (lbs/acre)	K (lbs/acre)	Salt (lbs/acre)	Amount
Canal	Surface water	1.69	0.00	0.00	288.67	5,684,120.00 *gal*
Application event totals		1.69	0.00	0.00	288.67	

Linwood - 05/18/2023: Sudangrass, silage

Application date	Application method	Precipitation 24 hours prior	Precipitation during application	Precipitation 24 hours following
07/14/2023	Surface (irrigation)	No precipitation	No precipitation	No precipitation

Source description	Material type	N (lbs/acre)	P (lbs/acre)	K (lbs/acre)	Salt (lbs/acre)	Amount
Canal	Surface water	1.69	0.00	0.00	288.67	5,684,120.00 *gal*
Application event totals		1.69	0.00	0.00	288.67	

Application date	Application method	Precipitation 24 hours prior	Precipitation during application	Precipitation 24 hours following
07/26/2023	Surface (irrigation)	No precipitation	No precipitation	No precipitation

Source description	Material type	N (lbs/acre)	P (lbs/acre)	K (lbs/acre)	Salt (lbs/acre)	Amount
Canal	Surface water	1.37	0.00	0.00	234.05	4,608,584.00 *gal*
Application event totals		1.37	0.00	0.00	234.05	

Application date	Application method	Precipitation 24 hours prior	Precipitation during application	Precipitation 24 hours following
08/23/2023	Surface (irrigation)	No precipitation	No precipitation	No precipitation

Source description	Material type	N (lbs/acre)	P (lbs/acre)	K (lbs/acre)	Salt (lbs/acre)	Amount
Canal	Surface water	1.27	0.00	0.00	216.50	4,263,098.00 *gal*
Application event totals		1.27	0.00	0.00	216.50	

Application date	Application method	Precipitation 24 hours prior	Precipitation during application	Precipitation 24 hours following
09/08/2023	Surface (irrigation)	No precipitation	No precipitation	No precipitation

Source description	Material type	N (lbs/acre)	P (lbs/acre)	K (lbs/acre)	Salt (lbs/acre)	Amount
Canal	Surface water	1.06	0.00	0.00	180.42	3,552,571.00 *gal*
Application event totals		1.06	0.00	0.00	180.42	

Morgan East - 10/20/2022: Oats, silage-soft dough

Field name: Morgan East

Crop: Oats, silage-soft dough

Plant date: 10/20/2022

Application date	Application method	Precipitation 24 hours prior	Precipitation during application	Precipitation 24 hours following
09/29/2022	Broadcast/incorporate	No precipitation	No precipitation	No precipitation

Source description	Material type	N (lbs/acre)	P (lbs/acre)	K (lbs/acre)	Salt (lbs/acre)	Amount
Solid Manure	Corral solids	219.38	36.08	282.75	0.00	429.00 *ton*
Application event totals		219.38	36.08	282.75	0.00	

Morgan East - 10/20/2022: Oats, silage-soft dough

Application date	Application method	Precipitation 24 hours prior	Precipitation during application	Precipitation 24 hours following
10/30/2022	Surface (irrigation)	No precipitation	No precipitation	No precipitation

Source description	Material type	N (lbs/acre)	P (lbs/acre)	K (lbs/acre)	Salt (lbs/acre)	Amount
Lagoon Water	Process wastewater	62.71	10.54	78.73	525.73	530,357.00 *gal*
Application event totals		62.71	10.54	78.73	525.73	

Application date	Application method	Precipitation 24 hours prior	Precipitation during application	Precipitation 24 hours following
04/14/2023	Surface (irrigation)	No precipitation	No precipitation	No precipitation

Source description	Material type	N (lbs/acre)	P (lbs/acre)	K (lbs/acre)	Salt (lbs/acre)	Amount
Lagoon Water	Process wastewater	84.22	16.27	101.89	657.17	495,000.00 *gal*
Canal	Surface water	18.36	0.00	0.00	488.90	11,345,883.00 *gal*
Application event totals		102.58	16.27	101.89	1,146.07	

Morgan East - 05/20/2023: Corn, silage

Field name: Morgan East

Crop: Corn, silage

Plant date: 05/20/2023

Application date	Application method	Precipitation 24 hours prior	Precipitation during application	Precipitation 24 hours following
06/06/2023	Surface (irrigation)	No precipitation	No precipitation	No precipitation

Source description	Material type	N (lbs/acre)	P (lbs/acre)	K (lbs/acre)	Salt (lbs/acre)	Amount
Lagoon Water	Process wastewater	84.22	16.27	101.89	657.17	495,000.00 *gal*
Canal	Surface water	11.38	0.00	0.00	303.12	7,034,454.00 *gal*
Application event totals		95.60	16.27	101.89	960.29	

Application date	Application method	Precipitation 24 hours prior	Precipitation during application	Precipitation 24 hours following
07/15/2023	Surface (irrigation)	No precipitation	No precipitation	No precipitation

Source description	Material type	N (lbs/acre)	P (lbs/acre)	K (lbs/acre)	Salt (lbs/acre)	Amount
Canal	Surface water	13.96	0.00	0.00	371.57	8,622,890.00 *gal*
Application event totals		13.96	0.00	0.00	371.57	

Morgan East - 05/20/2023: Corn, silage

Application date	Application method	Precipitation 24 hours prior	Precipitation during application	Precipitation 24 hours following
07/26/2023	Surface (irrigation)	No precipitation	No precipitation	No precipitation

Source description	Material type	N (lbs/acre)	P (lbs/acre)	K (lbs/acre)	Salt (lbs/acre)	Amount
Lagoon Water	Process wastewater	46.74	11.35	61.16	419.78	530,357.00 *gal*
Canal	Surface water	11.75	0.00	0.00	312.90	7,261,378.00 *gal*
Application event totals		58.49	11.35	61.16	732.68	

Application date	Application method	Precipitation 24 hours prior	Precipitation during application	Precipitation 24 hours following
08/07/2023	Surface (irrigation)	No precipitation	No precipitation	No precipitation

Source description	Material type	N (lbs/acre)	P (lbs/acre)	K (lbs/acre)	Salt (lbs/acre)	Amount
Canal	Surface water	9.55	0.00	0.00	254.23	5,899,865.00 *gal*
Application event totals		9.55	0.00	0.00	254.23	

Application date	Application method	Precipitation 24 hours prior	Precipitation during application	Precipitation 24 hours following
08/22/2023	Surface (irrigation)	No precipitation	No precipitation	No precipitation

Source description	Material type	N (lbs/acre)	P (lbs/acre)	K (lbs/acre)	Salt (lbs/acre)	Amount
Lagoon Water	Process wastewater	46.74	11.35	61.16	419.78	530,357.00 *gal*
Canal	Surface water	14.69	0.00	0.00	391.12	9,076,706.00 *gal*
Application event totals		61.43	11.35	61.16	810.90	

Application date	Application method	Precipitation 24 hours prior	Precipitation during application	Precipitation 24 hours following
09/07/2023	Surface (irrigation)	No precipitation	No precipitation	No precipitation

Source description	Material type	N (lbs/acre)	P (lbs/acre)	K (lbs/acre)	Salt (lbs/acre)	Amount
Lagoon Water	Process wastewater	37.39	9.08	48.93	335.83	424,286.00 *gal*
Canal	Surface water	12.49	0.00	0.00	332.45	7,715,226.00 *gal*
Application event totals		49.88	9.08	48.93	668.28	

Application date	Application method	Precipitation 24 hours prior	Precipitation during application	Precipitation 24 hours following
09/19/2023	Surface (irrigation)	No precipitation	No precipitation	No precipitation

Source description	Material type	N (lbs/acre)	P (lbs/acre)	K (lbs/acre)	Salt (lbs/acre)	Amount
Canal	Surface water	8.08	0.00	0.00	215.12	4,992,201.00 *gal*
Application event totals		8.08	0.00	0.00	215.12	

B. NUTRIENT BUDGET

Blaker Field - 10/20/2022: Oats, silage-soft dough

Field name: Blaker Field | Crop: Oats, silage-soft dough | Plant date: 10/20/2022

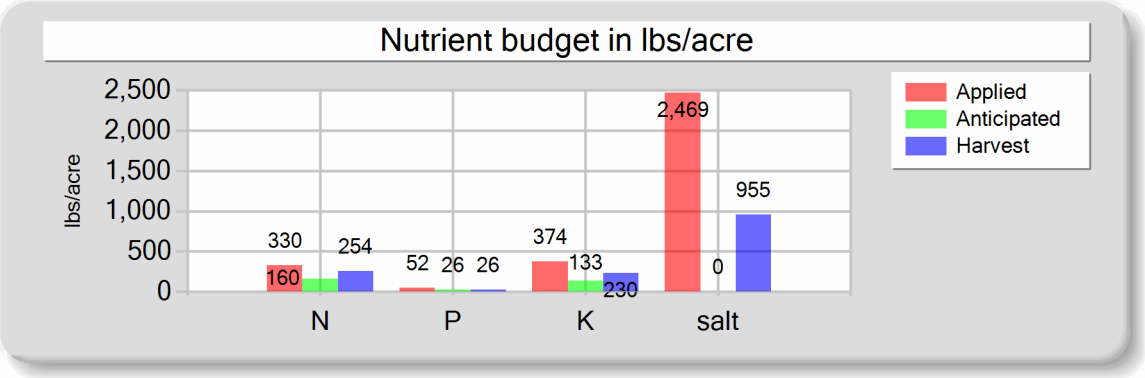

	Total N (lbs/acre)	Total P (lbs/acre)	Total K (lbs/acre)	Total salt (lbs/acre)
Existing soil nutrient content	0.00	0.00	0.00	0.00
Plowdown credit	0.00	0.00	0.00	0.00
Commercial fertilizer / Other	0.00	0.00	0.00	0.00
Dry manure	0.00	0.00	0.00	0.00
Process wastewater	316.60	52.19	373.80	2,291.38
Fresh water	6.66	0.00	0.00	177.35
Atmospheric deposition	7.00	0.00	0.00	0.00
Total nutrients applied	330.26	52.19	373.80	2,468.73
Anticipated crop nutrient removal	160.00	25.60	132.80	0.00
Actual crop nutrient removal	253.50	25.54	229.86	955.37
Nutrient balance	76.75	26.65	143.94	1,513.36
Applied to removed ratio	1.30	2.04	1.63	2.58

Fresh water applied	
2,868,474.00	*gallons*
105.64	*acre-inches*
4.59	*inches/acre*

Process wastewater applied	
1,350,000.00	*gallons*
49.72	*acre-inches*
2.16	*inches/acre*

Total harvests for the crop	
1	*harvests*

Blaker Field - 05/20/2023: Corn, silage

Field name: Blaker Field | Crop: Corn, silage | Plant date: 05/20/2023

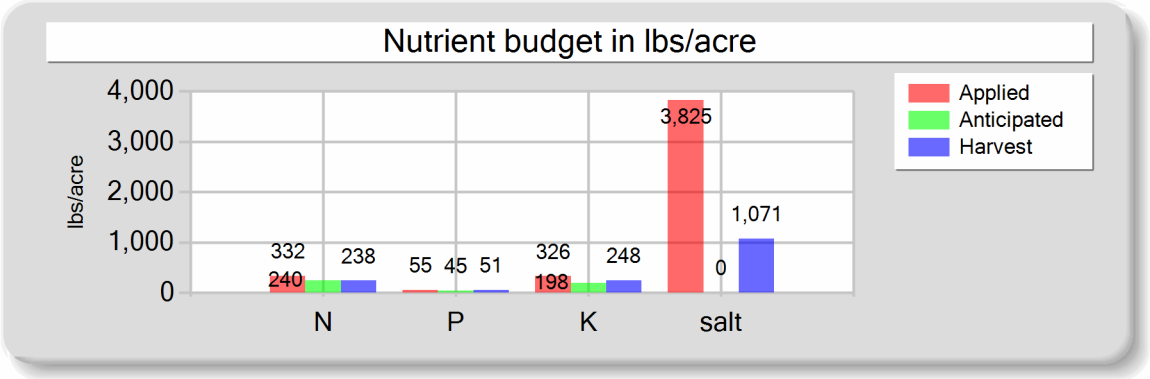

	Total N (lbs/acre)	Total P (lbs/acre)	Total K (lbs/acre)	Total salt (lbs/acre)
Existing soil nutrient content	0.00	0.00	0.00	0.00
Plowdown credit	0.00	0.00	0.00	0.00
Commercial fertilizer / Other	0.00	0.00	0.00	0.00
Dry manure	0.00	0.00	0.00	0.00
Process wastewater	261.91	55.24	326.10	2,153.90
Fresh water	62.77	0.00	0.00	1,671.35
Atmospheric deposition	7.00	0.00	0.00	0.00
Total nutrients applied	331.69	55.24	326.10	3,825.26
Anticipated crop nutrient removal	240.00	45.00	198.00	0.00
Actual crop nutrient removal	237.61	51.33	247.87	1,070.70
Nutrient balance	94.08	3.90	78.22	2,754.56
Applied to removed ratio	1.40	1.08	1.32	3.57

Fresh water applied	
27,033,340.00	*gallons*
995.55	*acre-inches*
43.28	*inches/acre*

Process wastewater applied	
1,429,286.00	*gallons*
52.64	*acre-inches*
2.29	*inches/acre*

Total harvests for the crop	
1	*harvests*

Linwood - 11/09/2022: Oats, silage-soft dough

Field name: Linwood | Crop: Oats, silage-soft dough | Plant date: 11/09/2022

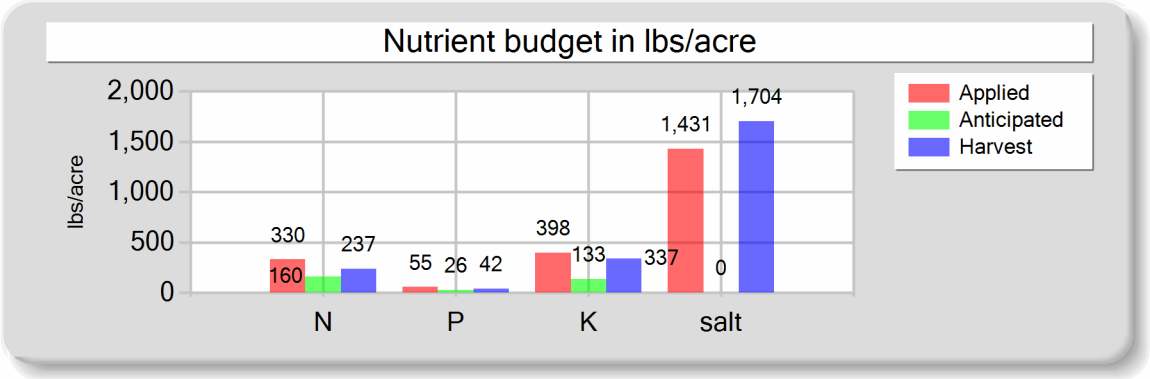

	Total N (lbs/acre)	Total P (lbs/acre)	Total K (lbs/acre)	Total salt (lbs/acre)
Existing soil nutrient content	0.00	0.00	0.00	0.00
Plowdown credit	0.00	0.00	0.00	0.00
Commercial fertilizer / Other	0.00	0.00	0.00	0.00
Dry manure	168.75	27.75	217.50	0.00
Process wastewater	146.93	26.81	180.62	1,182.90
Fresh water	9.32	0.00	0.00	248.02
Atmospheric deposition	4.67	0.00	0.00	0.00
Total nutrients applied	329.66	54.56	398.12	1,430.92
Anticipated crop nutrient removal	160.00	25.60	132.80	0.00
Actual crop nutrient removal	237.21	41.63	336.93	1,704.03
Nutrient balance	92.45	12.93	61.18	-273.11
Applied to removed ratio	1.39	1.31	1.18	0.84

Fresh water applied	
4,883,644.00	*gallons*
179.85	*acre-inches*
6.42	*inches/acre*

Process wastewater applied	
870,000.00	*gallons*
32.04	*acre-inches*
1.14	*inches/acre*

Total harvests for the crop	
1	*harvests*

Linwood - 05/18/2023: Sudangrass, silage

Field name: Linwood | Crop: Sudangrass, silage | Plant date: 05/18/2023

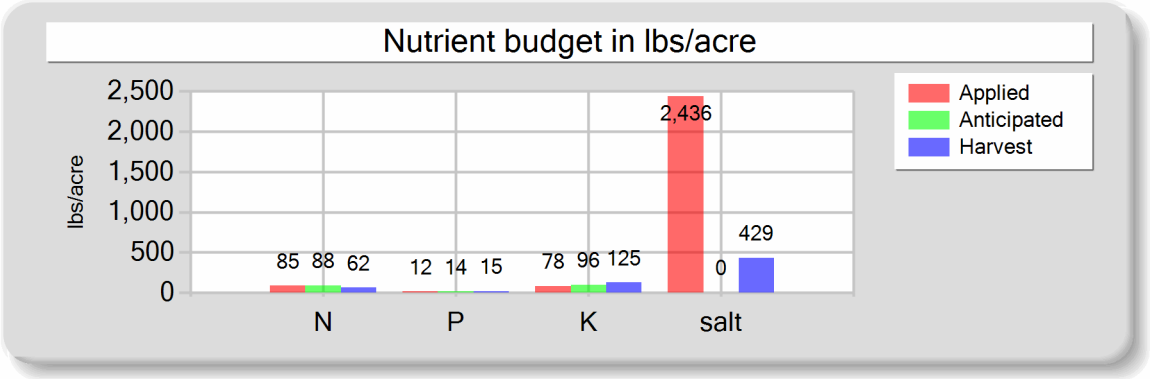

	Total N (lbs/acre)	Total P (lbs/acre)	Total K (lbs/acre)	Total salt (lbs/acre)
Existing soil nutrient content	0.00	0.00	0.00	0.00
Plowdown credit	0.00	0.00	0.00	0.00
Commercial fertilizer / Other	0.00	0.00	0.00	0.00
Dry manure	0.00	0.00	0.00	0.00
Process wastewater	64.67	12.50	78.24	504.61
Fresh water	11.34	0.00	0.00	1,931.69
Atmospheric deposition	9.33	0.00	0.00	0.00
Total nutrients applied	85.34	12.50	78.24	2,436.30
Anticipated crop nutrient removal	88.00	13.60	96.00	0.00
Actual crop nutrient removal	61.56	15.30	125.49	428.51
Nutrient balance	23.78	-2.81	-47.25	2,007.79
Applied to removed ratio	1.39	0.82	0.62	5.69

Fresh water applied	
38,036,474.00	*gallons*
1,400.75	*acre-inches*
50.03	*inches/acre*

Process wastewater applied	
322,500.00	*gallons*
11.88	*acre-inches*
0.42	*inches/acre*

Total harvests for the crop	
2	*harvests*

Morgan East - 10/20/2022: Oats, silage-soft dough

Field name: Morgan East | Crop: Oats, silage-soft dough | Plant date: 10/20/2022

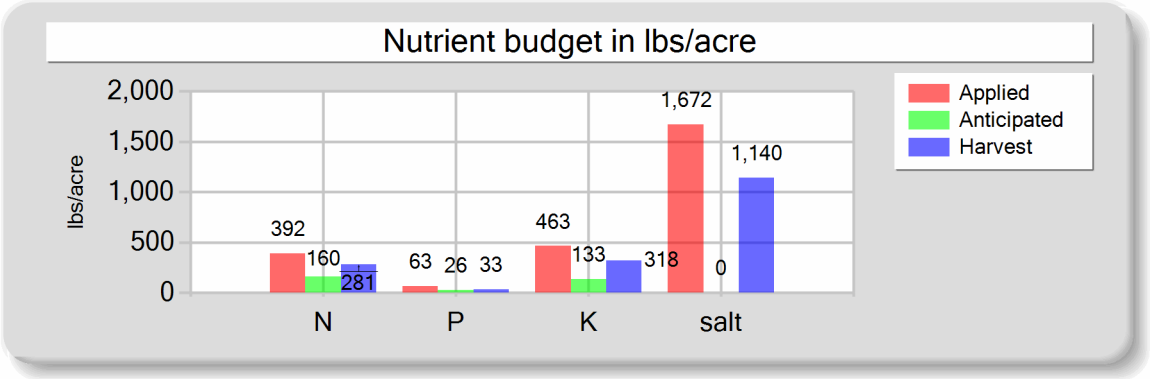

	Total N (lbs/acre)	Total P (lbs/acre)	Total K (lbs/acre)	Total salt (lbs/acre)
Existing soil nutrient content	0.00	0.00	0.00	0.00
Plowdown credit	0.00	0.00	0.00	0.00
Commercial fertilizer / Other	0.00	0.00	0.00	0.00
Dry manure	219.38	36.08	282.75	0.00
Process wastewater	146.93	26.81	180.62	1,182.90
Fresh water	18.36	0.00	0.00	488.90
Atmospheric deposition	7.00	0.00	0.00	0.00
Total nutrients applied	391.67	62.89	463.37	1,671.80
Anticipated crop nutrient removal	160.00	25.60	132.80	0.00
Actual crop nutrient removal	281.16	33.42	317.53	1,140.36
Nutrient balance	110.51	29.46	145.84	531.44
Applied to removed ratio	1.39	1.88	1.46	1.47

Fresh water applied	
11,345,883.00	*gallons*
417.83	*acre-inches*
12.66	*inches/acre*

Process wastewater applied	
1,025,357.00	*gallons*
37.76	*acre-inches*
1.14	*inches/acre*

Total harvests for the crop	
1	*harvests*

Morgan East - 05/20/2023: Corn, silage

Field name: Morgan East | Crop: Corn, silage | Plant date: 05/20/2023

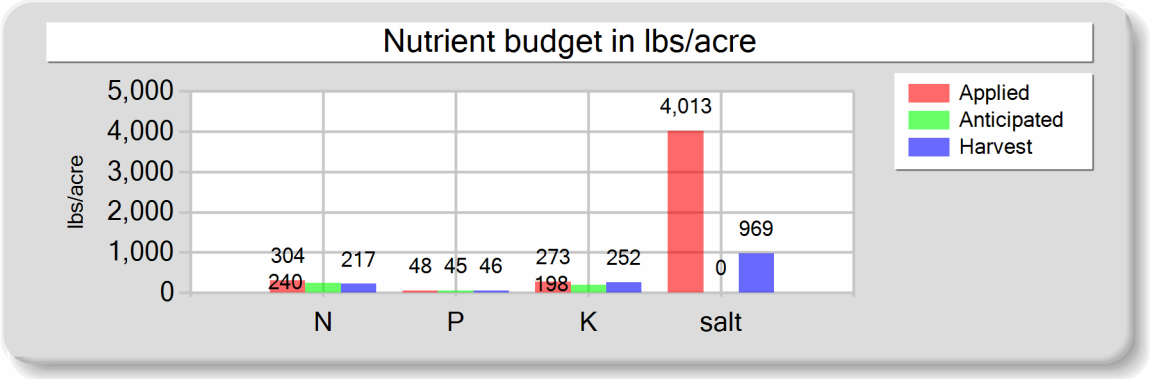

	Total N (lbs/acre)	Total P (lbs/acre)	Total K (lbs/acre)	Total salt (lbs/acre)
Existing soil nutrient content	0.00	0.00	0.00	0.00
Plowdown credit	0.00	0.00	0.00	0.00
Commercial fertilizer / Other	0.00	0.00	0.00	0.00
Dry manure	0.00	0.00	0.00	0.00
Process wastewater	215.09	48.04	273.13	1,832.56
Fresh water	81.90	0.00	0.00	2,180.50
Atmospheric deposition	7.00	0.00	0.00	0.00
Total nutrients applied	303.98	48.04	273.13	4,013.06
Anticipated crop nutrient removal	240.00	45.00	198.00	0.00
Actual crop nutrient removal	216.53	45.58	252.14	968.67
Nutrient balance	87.46	2.46	20.99	3,044.39
Applied to removed ratio	1.40	1.05	1.08	4.14

Fresh water applied	
50,602,720.00	*gallons*
1,863.53	*acre-inches*
56.47	*inches/acre*

Process wastewater applied	
1,980,000.00	*gallons*
72.92	*acre-inches*
2.21	*inches/acre*

Total harvests for the crop	
1	*harvests*

NUTRIENT ANALYSES

A. MANURE ANALYSES

Corral Manure 2022

Sample and source description: Corral Manure 2022

Sample date: 05/10/2022 Material type: Corral solids Source of analysis: Lab analysis Method of reporting: Dry-weight

Moisture: 40.0 %

	Total N (mg/kg)	Total P (mg/kg)	Total K (mg/kg)	Calcium (mg/kg)	Magnesium (mg/kg)	Sodium (mg/kg)	Sulfur (mg/kg)	Chloride (mg/kg)	Total salt (mg/kg)	TFS (%)
Value	25,400.00	800.00	23,200.00							31.30
DL	0.01	0.01	0.01							1.00

SSB Manure

Sample and source description: SSB Manure

Sample date: 05/10/2023 Material type: Scraped material Source of analysis: Lab analysis Method of reporting: Dry-weight

Moisture: 51.7 %

	Total N (mg/kg)	Total P (mg/kg)	Total K (mg/kg)	Calcium (mg/kg)	Magnesium (mg/kg)	Sodium (mg/kg)	Sulfur (mg/kg)	Chloride (mg/kg)	Total salt (mg/kg)	TFS (%)
Value	7,500.00	2,700.00	12,400.00							
DL	0.01	0.01	0.01							

Corral Manure

Sample and source description: Corral Manure

Sample date: 12/11/2023 Material type: Corral solids Source of analysis: Lab analysis Method of reporting: Dry-weight

Moisture: 62.5 %

	Total N (mg/kg)	Total P (mg/kg)	Total K (mg/kg)	Calcium (mg/kg)	Magnesium (mg/kg)	Sodium (mg/kg)	Sulfur (mg/kg)	Chloride (mg/kg)	Total salt (mg/kg)	TFS (%)
Value	22,500.00	3,700.00	29,000.00							
DL	0.01	0.01	0.01							

B. PROCESS WASTEWATER ANALYSES

Lagoon Q4 2022

Sample and source description: Lagoon Q4 2022

Sample date: 11/02/2022 Material type: Process wastewater Source of analysis: Lab analysis pH: 7.40

	Kjeldahl-N (mg/L)	NH4-N (mg/L)	NH3-N (mg/L)	Nitrate-N (mg/L)	Total P (mg/L)	Total K (mg/L)	Calcium (mg/L)	Magnes. (mg/L)	Sodium (mg/L)	Bicarb. (mg/L)	Carb. (mg/L)	Sulfate (mg/L)	Chloride (mg/L)	EC (µmhos/cm)	TDS (mg/L)
Value	466.00	367.00	0.00	1.60	78.60	587.00								8,010.00	3,920
DL	0.01	0.01	0.01	0.01	0.01	0.01								10.00	1

Lagoon Q1

Sample and source description: Lagoon Q1

Sample date: 03/07/2023 Material type: Process wastewater Source of analysis: Lab analysis pH: 7.50

	Kjeldahl-N (mg/L)	NH4-N (mg/L)	NH3-N (mg/L)	Nitrate-N (mg/L)	Total P (mg/L)	Total K (mg/L)	Calcium (mg/L)	Magnes. (mg/L)	Sodium (mg/L)	Bicarb. (mg/L)	Carb. (mg/L)	Sulfate (mg/L)	Chloride (mg/L)	EC (µmhos/cm)	TDS (mg/L)
Value	959.00	520.00	0.00	1.80	130.00	1,040.00								11,900.00	5,400
DL	0.01	0.01	0.01	0.01	0.01	0.01								10.00	1

Lagoon Q2

Sample and source description: Lagoon Q2

Sample date: 05/11/2023 Material type: Process wastewater Source of analysis: Lab analysis pH: 7.50

	Kjeldahl-N (mg/L)	NH4-N (mg/L)	NH3-N (mg/L)	Nitrate-N (mg/L)	Total P (mg/L)	Total K (mg/L)	Calcium (mg/L)	Magnes. (mg/L)	Sodium (mg/L)	Bicarb. (mg/L)	Carb. (mg/L)	Sulfate (mg/L)	Chloride (mg/L)	EC (µmhos/cm)	TDS (mg/L)
Value	672.00	347.00	0.00	0.80	130.00	814.00								1,000.00	5,250
DL	0.01	0.01	0.01	0.01	0.01	0.01								10.00	1

Lagoon Q3

Sample and source description: Lagoon Q3

Sample date: 07/27/2023 Material type: Process wastewater Source of analysis: Lab analysis pH: 7.50

	Kjeldahl-N (mg/L)	NH4-N (mg/L)	NH3-N (mg/L)	Nitrate-N (mg/L)	Total P (mg/L)	Total K (mg/L)	Calcium (mg/L)	Magnes. (mg/L)	Sodium (mg/L)	Bicarb. (mg/L)	Carb. (mg/L)	Sulfate (mg/L)	Chloride (mg/L)	EC (µmhos/cm)	TDS (mg/L)
Value	348.00	277.00	0.00	0.50	84.60	456.00								6,290.00	3,130
DL	0.01	0.01	0.01	0.01	0.01	0.01								10.00	1

Lagoon Q4

Sample and source description: Lagoon Q4

Sample date: 12/12/2023 Material type: Process wastewater Source of analysis: Lab analysis pH: 7.30

	Kjeldahl-N (mg/L)	NH4-N (mg/L)	NH3-N (mg/L)	Nitrate-N (mg/L)	Total P (mg/L)	Total K (mg/L)	Calcium (mg/L)	Magnes. (mg/L)	Sodium (mg/L)	Bicarb. (mg/L)	Carb. (mg/L)	Sulfate (mg/L)	Chloride (mg/L)	EC (µmhos/cm)	TDS (mg/L)
Value	720.00	444.00	0.00	1.00	152.00	911.00								9,500.00	4,150
DL	0.01	0.01	0.01	0.01	0.01	0.01								10.00	1

C. FRESH WATER ANALYSES

Canal

TID Canal

Sample description: TID Canal

Sample date: 09/21/2023 Source of analysis: Lab analysis

	Total N (mg/L)	NH4-N (mg/L)	Nitrate-N (mg/L)	Calcium (mg/L)	Magnesium (mg/L)	Sodium (mg/L)	Bicarbonate (mg/L)	Carbonate (mg/L)	Sulfate (mg/L)	Chloride (mg/L)	EC (µmhos/cm)	TDS (mg/L)
Value	6.40	0.00	6.40								284.00	
DL	0.01	0.01	0.01								10.00	

Domestic Well

DW #1

Sample description: DW #1

Sample date: 12/12/2023 Source of analysis: Lab analysis

	Total N (mg/L)	NH4-N (mg/L)	Nitrate-N (mg/L)	Calcium (mg/L)	Magnesium (mg/L)	Sodium (mg/L)	Bicarbonate (mg/L)	Carbonate (mg/L)	Sulfate (mg/L)	Chloride (mg/L)	EC (µmhos/cm)	TDS (mg/L)
Value	58.50	0.00	58.50								2,000.00	
DL	0.01	0.01	0.01								10.00	

Domestic Well

DW #2

Sample description: DW #2

Sample date: 12/12/2023 Source of analysis: Lab analysis

	Total N (mg/L)	NH4-N (mg/L)	Nitrate-N (mg/L)	Calcium (mg/L)	Magnesium (mg/L)	Sodium (mg/L)	Bicarbonate (mg/L)	Carbonate (mg/L)	Sulfate (mg/L)	Chloride (mg/L)	EC (µmhos/cm)	TDS (mg/L)
Value	9.80	0.00	9.80								1,510.00	
DL	0.01	0.01	0.01								10.00	

D. SOIL ANALYSES

No soil analyses entered.

E. PLANT TISSUE ANALYSES

Blaker Field - 10/20/2022: Oats, silage-soft dough

Blaker Field Oats

Sample and source description: Blaker Field Oats

Sample date: 05/02/2023 Source of analysis: Lab analysis Method of reporting: Dry-weight

Moisture: 74.1 %

	Total N (mg/kg)	Total P (mg/kg)	Total K (mg/kg)	Total salt (mg/kg)	TFS (%)
Value	26,800.00	2,700.00	24,300.00		10.10
DL	0.01	0.01	0.01		1.00

Blaker Field - 05/20/2023: Corn, silage

Blaker Field - 05/20/2023: Corn, silage

Blaker Corn

Sample and source description: Blaker Corn

Sample date: 10/11/2023 Source of analysis: Lab analysis Method of reporting: Dry-weight

Moisture: 66.4 %

	Total N (mg/kg)	Total P (mg/kg)	Total K (mg/kg)	Total salt (mg/kg)	TFS (%)
Value	16,200.00	3,500.00	16,900.00		7.30
DL	0.01	0.01	0.01		1.00

Linwood - 11/09/2022: Oats, silage-soft dough

Linwood Field Oats

Sample and source description: Linwood Field Oats

Sample date: 05/02/2023 Source of analysis: Lab analysis Method of reporting: Dry-weight

Moisture: 67.1 %

	Total N (mg/kg)	Total P (mg/kg)	Total K (mg/kg)	Total salt (mg/kg)	TFS (%)
Value	24,500.00	4,300.00	34,800.00		17.60
DL	0.01	0.01	0.01		1.00

Linwood - 05/18/2023: Sudangrass, silage

Linwood Sudan

Sample and source description: Linwood Sudan

Sample date: 09/29/2023 Source of analysis: Lab analysis Method of reporting: Dry-weight

Moisture: 85.8 %

	Total N (mg/kg)	Total P (mg/kg)	Total K (mg/kg)	Total salt (mg/kg)	TFS (%)
Value	18,100.00	4,500.00	36,900.00		12.60
DL	0.01	0.01	0.01		1.00

Morgan East - 10/20/2022: Oats, silage-soft dough

Morgan Field Oats

Sample and source description: Morgan Field Oats

Sample date: 05/02/2023 Source of analysis: Lab analysis Method of reporting: Dry-weight

Moisture: 73.1 %

	Total N (mg/kg)	Total P (mg/kg)	Total K (mg/kg)	Total salt (mg/kg)	TFS (%)
Value	28,600.00	3,400.00	32,300.00		11.60
DL	0.01	0.01	0.01		1.00

Morgan East - 05/20/2023: Corn, silage

Morgan Corn

Sample and source description: Morgan Corn

Sample date: 10/11/2023 Source of analysis: Lab analysis Method of reporting: Dry-weight

Moisture: 67.4 %

	Total N (mg/kg)	Total P (mg/kg)	Total K (mg/kg)	Total salt (mg/kg)	TFS (%)
Value	15,200.00	3,200.00	17,700.00		6.80
DL	0.01	0.01	0.01		1.00

F. SUBSURFACE (TILE) DRAINAGE ANALYSES

No subsurface (tile) drainage analyses entered.

NUTRIENT APPLICATIONS, POTENTIAL REMOVAL, AND BALANCE

A. SUMMARY OF NUTRIENT APPLICATIONS, POTENTIAL REMOVAL, AND BALANCE

	Total N (lbs)	Total P (lbs)	Total K (lbs)	Total salt (lbs)
Existing soil nutrient content	0.00	0.00	0.00	0.00
Plowdown credit	0.00	0.00	0.00	0.00
Commercial fertilizer / Other	0.00	0.00	0.00	0.00
Dry manure	11,964.38	1,967.48	15,420.75	0.00
Process wastewater	31,177.08	6,041.69	38,319.41	249,002.41
Fresh water	5,483.79	0.00	0.00	191,642.08
Atmospheric deposition	1,176.00	0.00	0.00	0.00
Total nutrients applied	49,801.24	8,009.17	53,740.16	440,644.49
Anticipated crop nutrient removal	29,344.00	5,051.20	24,931.20	0.00
Actual crop nutrient removal	36,084.65	5,969.64	42,734.97	175,909.22
Nutrient balance	13,716.59	2,039.52	11,005.19	264,735.27
Applied to removed ratio	1.38	1.34	1.26	2.50

B. POUNDS OF NUTRIENT APPLIED VS. CROP REMOVAL

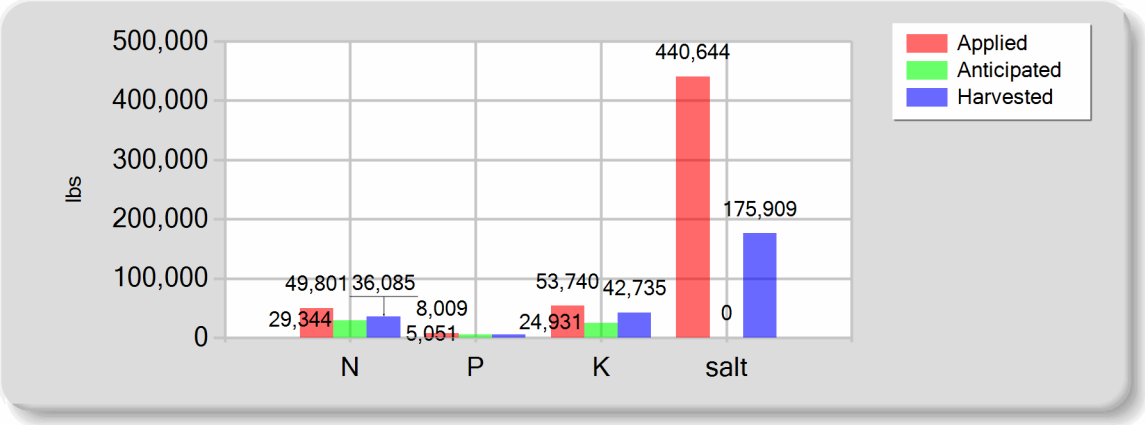

C. POUNDS OF NUTRIENT APPLIED BY MATERIAL TYPE

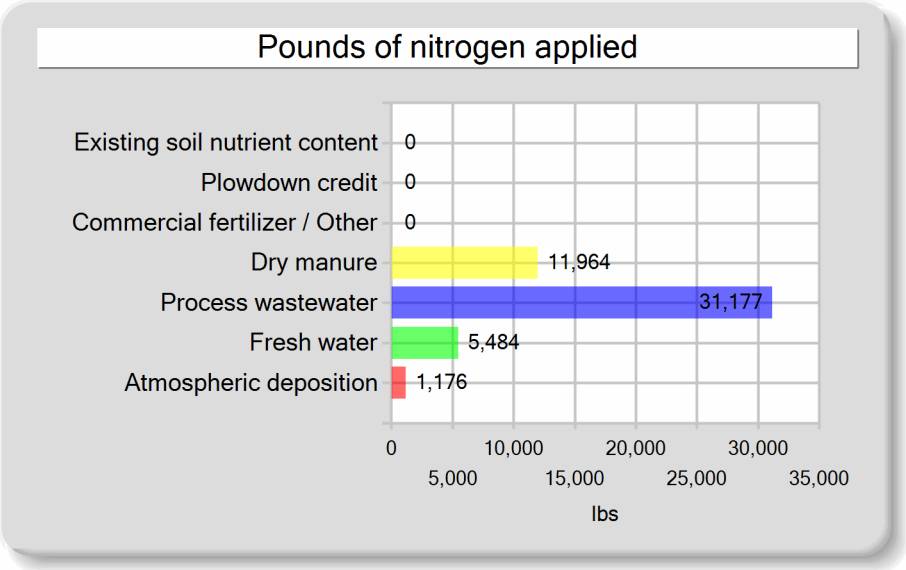

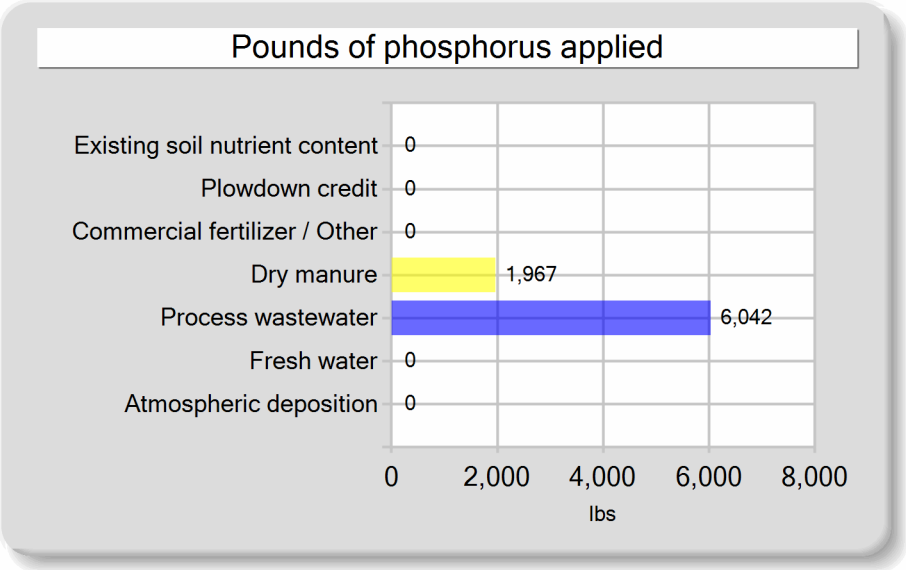

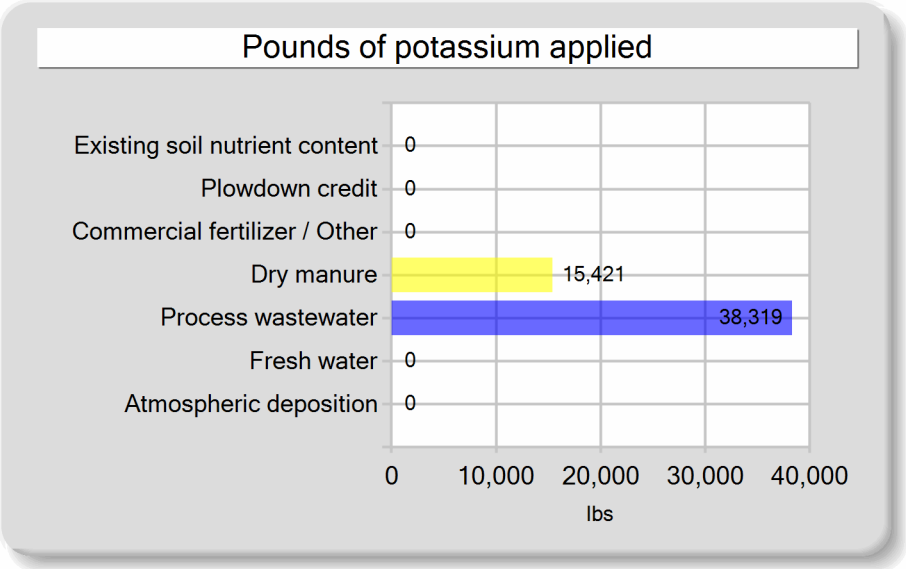

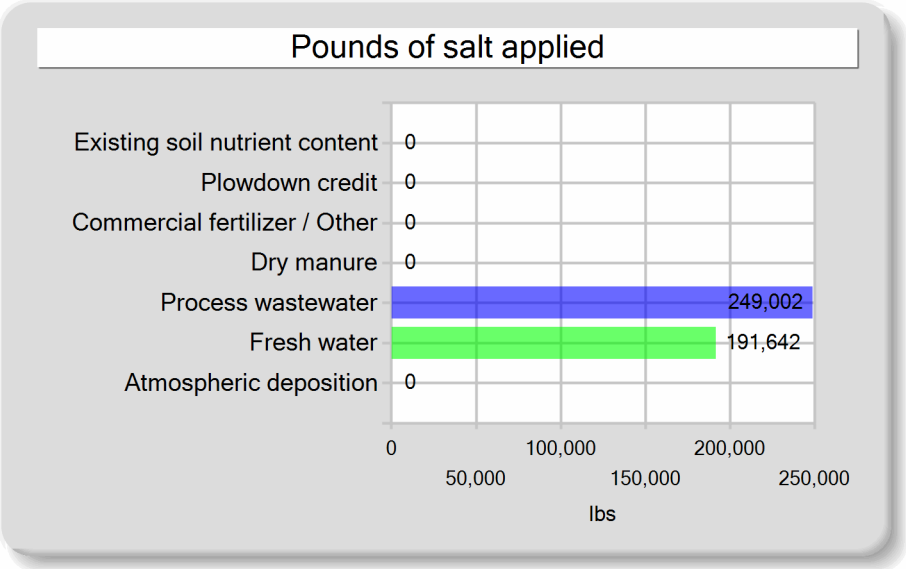

EXCEPTION REPORTING

A. MANURE, PROCESS WASTEWATER, AND OTHER DAIRY WASTE DISCHARGES

The following is a summary of all manure and process wastewater discharges from the production area to surface water or to land areas (land application areas or otherwise) when not in accordance with the facility's Nutrient Management Plan.

No manure or process wastewater discharges occurred during the reporting period.

B. STORM WATER DISCHARGES

The following is a summary of all storm water discharges from the production area to surface water during the reporting period when not in accordance with the facility 's Nutrient Management Plan.

No stormwater discharges occurred during the reporting period.

C. LAND APPLICATION AREA TO SURFACE WATER DISCHARGES

The following is a summary of all discharges from the land application area to surface water that have occurred during the reporting period when not in accordance with the facility's Nutrient Management Plan.

No land application area to surface water discharges occurred during the reporting period.

NUTRIENT MANAGEMENT PLAN AND EXPORT AGREEMENT STATEMENTS

A. NUTRIENT MANAGEMENT PLAN STATEMENTS

Was the facility's NMP updated in the reporting period?	Yes
Was the facility's NMP developed by a certified nutrient management planner (specialist) as specified in Attachment C of the General Order?	Yes
Was the facility's NMP approved by a certified nutrient management planner (specialist) as specified in Attachment C of the General Order?	Yes

B. EXPORT AGREEMENT STATEMENT

Are there any written agreements with third parties to receive manure or process wastewater that are new or were revised within the reporting period?	No

ADDITIONAL NOTES

A. NOTES

No notes entered for this annual report.

CERTIFICATION

A. OWNER AND/OR OPERATOR CERTIFICATION

I certify under penalty of law that I have personally examined and am familiar with the information submitted in this document and all attachments and that, based on my inquiry of those individuals immediately responsible for obtaining the information, I believe that the information is true, accurate, and complete. I am aware that there are significant penalties for submitting false information, including the possibility of fine and imprisonment.

Nuno DeMatos

SEE ATTACHED

SIGNATURE OF OWNER OF FACILITY	SIGNATURE OF OPERATOR OF FACILITY
Arien & Nina Living Trust	Nuno DeMatos
PRINT OR TYPE NAME	PRINT OR TYPE NAME
	Jul 2, 2024
DATE	DATE

CERTIFICATION

A. OWNER AND/OR OPERATOR CERTIFICATION

I certify under penalty of law that I have personally examined and am familiar with the information submitted in this document and all attachments and that, based on my inquiry of those individuals immediately responsible for obtaining the information, I believe that the information is true, accurate, and complete. I am aware that there are significant penalties for submitting false information, including the possibility of fine and imprisonment.

SEE ATTACHED	
SIGNATURE OF OWNER OF ~~FACILITY~~	SIGNATURE OF OPERATOR OF FACILITY
Arien & Nina Living Trust	Nuno DeMatos
PRINT OR TYPE NAME John Zylstra	PRINT OR TYPE NAME
DATE	DATE

ATTACHMENTS

A. REQUIRED ATTACHMENTS

The following lists the required documents that should be attached to the Annual Report when submitted .

Annual Dairy Facility Assessment
Provide an Annual Dairy Facility Assessment (an update to the Preliminary Dairy Facility Assessment in Attachment A) for each reporting period. On the PDFA Final page, click on the ADFA Report button to generate an ADFA report after updating information as needed .

Manure/Process Wastewater Tracking Manifests
Provide copies of all manure/process wastewater tracking manifests for the reporting period, signed by both the owner/operator and the hauler.

Corrective Actions Documents
Provide records documenting any corrective actions taken to correct deficiencies noted as a result of the inspections required in the Monitoring Requirements of the General Order. Deficiencies not corrected in 30 days must be accompanied by an explanation of the factors preventing immediate correction.

Groundwater Monitoring
Dischargers that monitor supply wells or subsurface (tile) drainage systems, or that have monitoring well systems must submit monitoring results as directed in the General Order, Groundwater Reporting Section starting on page MRP-13.

Storm Water Monitoring
Dischargers that are required to monitor storm water more frequently than required in the General Order must submit monitoring results as directed in the General Order, Storm Water Reporting Section on page MRP-14.

DELLAVALLE LABORATORY INC

Report of Dairy Well Water Analysis

Lab No.: 23L0716
Sampled By: M.Dekeyrel
Requested By: MaryLou DeMatos
Submitted Date: 12/12/23
Reported Date: 12/19/23
Project:
Crop ID:

DeMatos Dairy
PO Box 276
Gustine CA 95322
00-0023834 08

E-mail:
Copy To: cas.labs@yahoo.com

		Date Sampled	Time Sampled	EC µmhos/cm	EC mmhos/cm	NO_3-N mg/L	Field NH_4-N mg/L	Total NH_4-N mg/L	pH at 25°C unit
1	DW#1	12/11/23	15:10	2000	2.00	58.5	ND		7.4
2	DW#2	12/11/23	15:19	1510	1.51	9.8	ND		7.3

***** = Field NH_4-N not Taken.
ND = None Detected

Approved By: Scott M Friedland
Laboratory Director\Technical Manager
ELAP Certification #1595
A2LA Certification #6440.02

DELLAVALLE LABORATORY INC

Report of Dairy Well Water Analysis

DeMatos Dairy
PO Box 276
Gustine CA 95322
00-0023834 08

E-mail:
Copy To: cas.labs@yahoo.com

Lab No.: 23L0716
Sampled By: M.Dekeyrel
Requested By: MaryLou DeMatos
Submitted Date: 12/12/23
Reported Date: 12/19/23
Project:
Crop ID:

		Date Sampled	Time Sampled	EC µmhos/cm	EC mmhos/cm	NO_3-N mg/L	Nitrogen agricultural use Calcs calculated from nitrate-N lbs/AcFoot	lbs/AcInch
1	DW#1	12/11/23	15:10	**2000**	**2.00**	**58.5**	159.71	13.31
2	DW#2	12/11/23	15:19	**1510**	**1.51**	**9.8**	26.75	2.23

Water for Crop Use **Nutrient Management**	Total Salts	Total Salts	Nitrate Nitrogen
Low Levels	< 900	< 0.90	< 2.0
Significant Levels	900-2200	0.90-2.2	2.0-10.0
High Levels	2200+	2.2+	10.0+

Sampling abbreviations: H.B. = hose bib, S.P. = stand pipe, Dom. = domestic well, IR = irrigation well, AG = ag well.
Nitrate exceeds Water Quality MCL levels if results are above 10 mg/l nitrate-nitrogen NO3-N (equivalent to 45 mg/l nitrate, NO3).
Total Salt results are used to monitor changes of salt in the well aquifers between annual tests.
MCL = Maximum Contaminant Level according to the California Domestic Water Quality and Monitoring Regulations (Title 22)
MDL = Method Detection Limit; **RL** = Reporting Limit, mg/L = ppm.
SM = Standard Methods for the Examination of Water and Wastewater
EPA = Environmental Protection Agency methods used unless otherwise indicated.

DELLAVALLE™
LABORATORY INC

DeMatos Dairy
PO Box 276
Gustine, CA 95322

Account# 00-0023834
Account Manager: Ben Nydam
Submitted By: MaryLou DeMatos

Received: 12/12/2023 15:51
Reported: 12/19/2023 08:54

Samples in this Report

Lab ID	Sample	Matrix	Sampled By	Crop	Date Sampled
23L0716-01	DW#1	Well Water	M.Dekeyrel		12/11/2023 15:10
23L0716-02	DW#2	Well Water	M.Dekeyrel		12/11/2023 15:19

Default Cooler Temperature on Receipt °C: -0.1
Containers Intact
COC/Labels Agree
Received On Ice

Notes and Definitions

Item	Definition
H	Hold Time Exceeded
MCL	Drinking Water Maximum Contaminant Level
ND	Analyte NOT DETECTED at or above the reporting limit.
NES	Not Enough Sample
*	Not Taken
RPD	Relative Percent Difference
%REC	Percent Recovery
Source	Sample that was matrix spiked or duplicated.

Scott McFriedland

Laboratory Director/Technical Manager

ELAP Certification #1595
A2LA Certification #6440.02

The results in this report apply to the samples as received and were analyzed in accordance with the chain of custody document. This analytical report must be reproduced in its entirety. All results listed in this report are for the exclusive use of the submitting party. Dellavalle Laboratory, Inc. assumes no responsibility for report alteration, separation, detachment or third party interpretation.

DELLAVALLE™
LABORATORY INC

DeMatos Dairy
PO Box 276
Gustine, CA 95322

Account# 00-0023834
Account Manager: Ben Nydam
Submitted By: MaryLou DeMatos

Received: 12/12/2023 15:51
Reported: 12/19/2023 08:54

Sample Results

Sample: DW#1
23L0716-01 (Water)

Sampled: 12/11/2023 15:10
Sampled By: M.Dekeyrel

Analyte	Result	Units	Reporting Limit	DIL	DW MCL	Date/Time Analyzed	Method	Notes	Batch
Electrical Conductivity	**2.00**	mmhos/cm	0.01	1		12/13/23 17:59	SM 2510 B		BEL0498
Electrical Conductivity umhos	**2000**	umhos/cm	10.0	1		12/13/23 17:59	SM 2510 B		BEL0498
Ammonia (as N)	ND	mg/L	0.00	1		12/11/23 15:10	Field		BEL0394
Nitrate Nitrogen as NO3N	**58.5**	mg/L	0.1	1	10	12/13/23 14:03	EPA 300.0		BEL0351
Temperature	**25.0**	units	0.0	1		12/13/23 17:59	SM 4500-H+	H	BEL0498
pH	**7.4**	units	1.0	1		12/13/23 17:59	SM 4500-H+	H	BEL0498

The results in this report apply to the samples as received and were analyzed in accordance with the chain of custody document. This analytical report must be reproduced in its entirety. All results listed in this report are for the exclusive use of the submitting party. Dellavalle Laboratory, Inc. assumes no responsibility for report alteration, separation, detachment or third party interpretation.

DELLAVALLE™
LABORATORY INC

DeMatos Dairy
PO Box 276
Gustine, CA 95322

Account# 00-0023834
Account Manager: Ben Nydam
Submitted By: MaryLou DeMatos

Received: 12/12/2023 15:51
Reported: 12/19/2023 08:54

Sample Results
(Continued)

Sample: DW#2
23L0716-02 (Water)

Sampled: 12/11/2023 15:19
Sampled By: M.Dekeyrel

Analyte	Result	Units	Reporting Limit	DIL	DW MCL	Date/Time Analyzed	Method	Notes	Batch
Electrical Conductivity	**1.51**	mmhos/cm	0.01	1		12/13/23 18:06	SM 2510 B		BEL0498
Electrical Conductivity umhos	**1510**	umhos/cm	10.0	1		12/13/23 18:06	SM 2510 B		BEL0498
Ammonia (as N)	ND	mg/L	0.00	1		12/11/23 15:19	Field		BEL0394
Nitrate Nitrogen as NO3N	**9.8**	mg/L	0.1	1	10	12/13/23 14:24	EPA 300.0		BEL0351
Temperature	**25.0**	units	0.0	1		12/13/23 18:06	SM 4500-H+	H	BEL0498
pH	**7.3**	units	1.0	1		12/13/23 18:06	SM 4500-H+	H	BEL0498

The results in this report apply to the samples as received and were analyzed in accordance with the chain of custody document. This analytical report must be reproduced in its entirety. All results listed in this report are for the exclusive use of the submitting party. Dellavalle Laboratory, Inc. assumes no responsibility for report alteration, separation, detachment or third party interpretation.

DELLAVALLE™ LABORATORY INC

DeMatos Dairy
PO Box 276
Gustine, CA 95322

Account# 00-0023834
Account Manager: Ben Nydam
Submitted By: MaryLou DeMatos

Received: 12/12/2023 15:51
Reported: 12/19/2023 08:54

Quality Control

Analyte	Result	Qual	Reporting Limit	Units	Spike Level	Source Result	%REC	%REC Limits	RPD	RPD Limit
Batch: BEL0351										
Blank (BEL0351-BLK1)					Prepared & Analyzed: 12/12/2023					
Nitrate Nitrogen as NO3N	ND		0.1	mg/L						
Blank (BEL0351-BLK2)					Prepared & Analyzed: 12/12/2023					
Nitrate Nitrogen as NO3N	ND		0.1	mg/L						
Blank (BEL0351-BLK3)					Prepared & Analyzed: 12/13/2023					
Nitrate Nitrogen as NO3N	ND		0.1	mg/L						
Blank (BEL0351-BLK4)					Prepared & Analyzed: 12/13/2023					
Nitrate Nitrogen as NO3N	ND		0.1	mg/L						
Blank (BEL0351-BLK5)					Prepared & Analyzed: 12/13/2023					
Nitrate Nitrogen as NO3N	ND		0.1	mg/L						
LCS (BEL0351-BS1)					Prepared & Analyzed: 12/12/2023					
Nitrate Nitrogen as NO3N	5.0		0.1	mg/L	5.000		101	90-110		
LCS (BEL0351-BS2)					Prepared & Analyzed: 12/13/2023					
Nitrate Nitrogen as NO3N	5.1		0.1	mg/L	5.000		101	90-110		
LCS (BEL0351-BS3)					Prepared & Analyzed: 12/13/2023					
Nitrate Nitrogen as NO3N	5.1		0.1	mg/L	5.000		103	90-110		
LCS (BEL0351-BS4)					Prepared & Analyzed: 12/13/2023					
Nitrate Nitrogen as NO3N	5.1		0.1	mg/L	5.000		103	90-110		
Duplicate (BEL0351-DUP1)		**Source: 23L0613-01**			Prepared & Analyzed: 12/12/2023					
Nitrate Nitrogen as NO3N	1.8		0.1	mg/L		1.8			0.900	10
Duplicate (BEL0351-DUP2)		**Source: 23L0664-02**			Prepared & Analyzed: 12/13/2023					
Nitrate Nitrogen as NO3N	6.7		0.1	mg/L		6.7			0.0448	10
Duplicate (BEL0351-DUP3)		**Source: 23L0695-01**			Prepared & Analyzed: 12/13/2023					
Nitrate Nitrogen as NO3N	4.1		0.1	mg/L		4.1			0.441	10
Duplicate (BEL0351-DUP4)		**Source: 23L0718-02**			Prepared & Analyzed: 12/13/2023					
Nitrate Nitrogen as NO3N	1.3		0.1	mg/L		1.3			1.70	10
Matrix Spike (BEL0351-MS1)		**Source: 23L0613-01**			Prepared & Analyzed: 12/12/2023					
Nitrate Nitrogen as NO3N	7.1		0.1	mg/L	5.000	1.8	106	90-110		
Matrix Spike (BEL0351-MS2)		**Source: 23L0664-02**			Prepared & Analyzed: 12/13/2023					
Nitrate Nitrogen as NO3N	11.7		0.1	mg/L	5.000	6.7	101	90-110		

The results in this report apply to the samples as received and were analyzed in accordance with the chain of custody document. This analytical report must be reproduced in its entirety. All results listed in this report are for the exclusive use of the submitting party. Dellavalle Laboratory, Inc. assumes no responsibility for report alteration, separation, detachment or third party interpretation.

DELLAVALLE™ LABORATORY INC

DeMatos Dairy
PO Box 276
Gustine, CA 95322

Account# 00-0023834
Account Manager: Ben Nydam
Submitted By: MaryLou DeMatos

Received: 12/12/2023 15:51
Reported: 12/19/2023 08:54

Quality Control
(Continued)

Analyte	Result	Qual	Reporting Limit	Units	Spike Level	Source Result	%REC	%REC Limits	RPD	RPD Limit
Batch: BEL0351 (Continued)										
Matrix Spike (BEL0351-MS3)			**Source: 23L0695-01**		Prepared & Analyzed: 12/13/2023					
Nitrate Nitrogen as NO3N	9.3		0.1	mg/L	5.000	4.1	105	90-110		
Matrix Spike (BEL0351-MS4)			**Source: 23L0718-02**		Prepared & Analyzed: 12/13/2023					
Nitrate Nitrogen as NO3N	6.6		0.1	mg/L	5.000	1.3	105	90-110		
Reference (BEL0351-SRM1)					Prepared & Analyzed: 12/12/2023					
Nitrate Nitrogen as NO3N	10.1			mg/L	10.00		101	90-110		
Reference (BEL0351-SRM2)					Prepared & Analyzed: 12/13/2023					
Nitrate Nitrogen as NO3N	10.2			mg/L	10.00		102	90-110		
Reference (BEL0351-SRM3)					Prepared & Analyzed: 12/13/2023					
Nitrate Nitrogen as NO3N	10.2			mg/L	10.00		102	90-110		
Reference (BEL0351-SRM4)					Prepared & Analyzed: 12/13/2023					
Nitrate Nitrogen as NO3N	10.3			mg/L	10.00		103	90-110		
Reference (BEL0351-SRM5)					Prepared & Analyzed: 12/13/2023					
Nitrate Nitrogen as NO3N	10.3			mg/L	10.00		103	90-110		

The results in this report apply to the samples as received and were analyzed in accordance with the chain of custody document. This analytical report must be reproduced in its entirety. All results listed in this report are for the exclusive use of the submitting party. Dellavalle Laboratory, Inc. assumes no responsibility for report alteration, separation, detachment or third party interpretation.

DELLAVALLE™
LABORATORY INC

DeMatos Dairy
PO Box 276
Gustine, CA 95322

Account# 00-0023834
Account Manager: Ben Nydam
Submitted By: MaryLou DeMatos

Received: 12/12/2023 15:51
Reported: 12/19/2023 08:54

Quality Control
(Continued)

Analyte	Result	Qual	Reporting Limit	Units	Spike Level	Source Result	%REC	%REC Limits	RPD	RPD Limit
Batch: BEL0498										
Blank (BEL0498-BLK1)					Prepared & Analyzed: 12/13/2023					
Electrical Conductivity	ND		0.01	mmhos/cm						
Temperature	25.0		0.0	units						
Electrical Conductivity umhos	ND		10.0	umhos/cm						
pH	5.5		1.0	units						
Blank (BEL0498-BLK2)					Prepared & Analyzed: 12/13/2023					
Temperature	25.0		0.0	units						
Electrical Conductivity	ND		0.01	mmhos/cm						
Electrical Conductivity umhos	ND		10.0	umhos/cm						
pH	7.7		1.0	units						
Blank (BEL0498-BLK3)					Prepared & Analyzed: 12/13/2023					
Electrical Conductivity	ND		0.01	mmhos/cm						
Temperature	25.0		0.0	units						
pH	7.7		1.0	units						
Electrical Conductivity umhos	ND		10.0	umhos/cm						
Duplicate (BEL0498-DUP1)		**Source: 23L0716-01**			Prepared & Analyzed: 12/13/2023					
Electrical Conductivity	2.02		0.01	mmhos/cm		2.00			0.916	10
pH	7.4		1.0	units		7.4			0.135	10
Electrical Conductivity umhos	2020		10.0	umhos/cm		2000			0.916	10
Duplicate (BEL0498-DUP2)		**Source: 23L0724-02**			Prepared & Analyzed: 12/13/2023					
Electrical Conductivity	2.08		0.01	mmhos/cm		2.04			2.11	10
pH	7.3		1.0	units		7.3			0.274	10
Electrical Conductivity umhos	2080		10.0	umhos/cm		2040			2.11	10
Reference (BEL0498-SRM1)					Prepared & Analyzed: 12/13/2023					
Electrical Conductivity	436			umhos/cm	426.0		102	90-110		
Reference (BEL0498-SRM2)					Prepared & Analyzed: 12/13/2023					
pH	7.5			units	7.520		100	67021-101.32		
Reference (BEL0498-SRM3)					Prepared & Analyzed: 12/13/2023					
Electrical Conductivity	1050			umhos/cm	1000		105	90-110		
Electrical Conductivity umhos	1050			umhos/cm	1000		105	90-110		
Reference (BEL0498-SRM4)					Prepared & Analyzed: 12/13/2023					
Electrical Conductivity	1070			umhos/cm	1000		107	90-110		
Electrical Conductivity umhos	1070			umhos/cm	1000		107	90-110		
Reference (BEL0498-SRM5)					Prepared & Analyzed: 12/13/2023					
Electrical Conductivity	1090			umhos/cm	1000		109	90-110		

The results in this report apply to the samples as received and were analyzed in accordance with the chain of custody document. This analytical report must be reproduced in its entirety. All results listed in this report are for the exclusive use of the submitting party. Dellavalle Laboratory, Inc. assumes no responsibility for report alteration, separation, detachment or third party interpretation.

DELLAVALLE™
LABORATORY INC

DeMatos Dairy
PO Box 276
Gustine, CA 95322

Account# 00-0023834
Account Manager: Ben Nydam
Submitted By: MaryLou DeMatos

Received: 12/12/2023 15:51
Reported: 12/19/2023 08:54

Quality Control
(Continued)

Analyte	Result	Qual	Reporting Limit	Units	Spike Level	Source Result	%REC	%REC Limits	RPD	RPD Limit
Batch: BEL0498 (Continued)										
Reference (BEL0498-SRM5)					Prepared & Analyzed: 12/13/2023					
Electrical Conductivity umhos	1090			umhos/cm	1000		109	90-110		
Reference (BEL0498-SRM6)					Prepared & Analyzed: 12/13/2023					
pH	4.0			units	4.000		101	97.5-102.5		
Reference (BEL0498-SRM7)					Prepared & Analyzed: 12/13/2023					
pH	4.0			units	4.000		101	97.5-102.5		
Reference (BEL0498-SRM8)					Prepared & Analyzed: 12/13/2023					
pH	4.0			units	4.000		100	97.5-102.5		

The results in this report apply to the samples as received and were analyzed in accordance with the chain of custody document. This analytical report must be reproduced in its entirety. All results listed in this report are for the exclusive use of the submitting party. Dellavalle Laboratory, Inc. assumes no responsibility for report alteration, separation, detachment or third party interpretation.

12/12/23 15:51 23L0716

JG

DELLAVALLE LABORATORY, INC.

1910 W. McKinley Avenue, Suite 110 • Fresno, CA 93728
www.dellavallelab.com 559 233-6129 • 800 228-9896 • Fax 559 268-8174

WATER WORK REQUEST

Bill To: Acct No. 23834 Cons. 8

Purchase Order No. _____ Results Needed By _____

Client: DeMatos Dariy
Address: P.O. Box 276
City, State, Zip: Gustine CA 95322
Phone _____ Fax _____
Cell/Email _____

Copy to: Cardoso Ag Sevices - cas.labs@yahoo.com

Requested by: MaryLou DeMatos 209-579-4831

Facility: _____

Date sampled: 12/11/23

Sampled by: MDeKeyrel

[X] QA/QC Document [X] Copy of Chain [ ] RWQCB

No. of Samples _____ No. Bottles 2

Water Type: [ ] Drinking [ ] Wastewater
[ ] Ag Water [ ] Ground Water [ ] Mon. Well
[ ] Supply Water [ ] Other _____

Analysis and Bottles Required: *(Please Indicate Analysis)*

(✓) DWW1: (EC, pH, NO_3-N, **NH_4-N Field Test**)
(1) l L plastic, unpreserved (white)

( ) DWW2: (DWW1 Plus SO_4, CO_3, HCO_3, Cl, Ca, Mg, Na, TDS)
(1) l L plastic, unpreserved (white)

( ) DCW1: (EC, NO_3-N, TDS)
(1) l L plastic, unpreserved (white)

( ) DPW1: (EC, pH, NO_3-N, NH_4-N, TKN, TDS, TP, TK)
(1) l L plastic, unpreserved (white)

( ) DPW2: (DPW1 Plus Ca, Mg, Na, HCO_3, CO_3, SO_4, Cl)
(1) l L plastic, unpreserved (white)

( ) Other _____

DESCRIPTION OF SAMPLES		Date Sampled	Time Sampled	Field NH4-N (mg/L)	Received Temp °C
1. DW#1	Sampled From:	12/11/23	310p	D	-0.1
2. DW#2	Sampled From:	12/11/23	319p	D	-0.3
3.	Sampled From:				
4.	Sampled From:				
5.	Sampled From:				
6.	Sampled From:				
7.	Sampled From:				
8.	Sampled From:				
9.	Sampled From:				
10.	Sampled From:				

IR Thermometer SN: 192603727
Correction Factor: 0°C
Calibration Due: 03/06/2024
Location: Laboratory

CHAIN OF CUSTODY

Carrier	Signature	Company	Received (Date/Time)	Relinquished (Date/Time)
First	MDeKeyrel	CASinc	12/11/23 319p	12/12/23 @9:30am
Second	JLF	DLV	12-12-23 9:30	12-12-23 2:01
Third	MM	DLI	12/12 15:51	
Fourth				

I guarantee that as the client, or on behalf of the client named, I have the authority to contract the above requested services. Should it be found that I do not have such authority, I agree to be personally liable for all costs and, if there should be action against me for this breach, reasonable attorneys' fees. It is understood that payment is expected to be cash with samples unless terms have been previously arranged. Terms are net 30 days; overdue accounts will be charged a dated damage fee of 2% per month (annually 24 %) or $5.00 per month whichever is greater.

If payment is not made when due and a legitimate dispute exists concerning the product or services of Dellavalle Laboratory, Inc., it will be submitted to mediation under the Rules and Procedures of Creative Alternative to Litigation, Inc. (cal). If the dispute is not resolved in mediation, then the dispute will be submitted to binding arbitration through cal under its Rules and Procedures. The prties will equally bear the costs of mediation/arbitration. If, however, the mediator declares that no legitimate dispute exists, then debtor will pay all mediation and arbitration costs, and in the event of arbitration, reasonable attorneys' fees of Dellavalle Laboratory.

Invoicing Information:

Sampling Hrs ____ Miles ____ Consulting ____

Amt Paid ____ Rec By ____ Check No. ____

Shipping

$ _____ In
$ _____ Out

Date _____

Signature _____

Sample received in cooler with ice?
[ ] Yes [ ] No

ctl:update 2020

Shipping Information: Shipped In ☐ Picked-Up ☒ Walk In ☐ DLI Sampler ☐ Other ☐ _____

Container: Ice Chest ☒ Box ☐ None ☐ | **Refrigerant:** Wet Ice ☒ Blue Ice ☐ None ☐

Samples Preserved with HNO_3 or H_2SO_4 were: ☐ Received Preserved ☐ Preserved Upon Receipt at Laboratory

	Type of Container(s) Received	Sample Number 1	2	3	4	5	6	7	8	9	10
	Sample Containers for Internal (DLI) Use *(Containers that go into the Lab)*										
Plastics	100 mL sterile plastic $Na_2S_2O_3$ (Green)										
	250 mL unpreserved (White) Plastic										
	250 mL HNO_3 (Red) Plastic										
	* pH Value										
	250 mL H_2SO_4 (Yellow) Plastic										
	* pH Value										
	500 mL unpreserved (White) Plastic										
	1 L unpreserved (White) Plastic										
	1 L unpreserved (BOD) (Purple) Plastic										
"	500mL unpreserved (White) Glass										
	PO4-P Kit										
	Other:										
	Sample Containers for Subcontracted ("Send Out") Analyses *(Containers that go in the Subcontract ("Send Out") Refrigerator)*										
Plastics	100 mL sterile plastic $Na_2S_2O_3$ (Green)										
	250 mL unpreserved (White) Plastic										
	250 mL HNO_3 (Red) Plastic										
	250 mL H_2SO_4 (Yellow) Plastic										
	500 mL HNO_3 (Red)										
	1 L unpreserved (White) Plastic										
	1 L unpreserved (BOD) (Purple) Plastic										
	1 L HNO_3 (Red)										
VOA Vials	40 mL AG VOA, $Na_2S_2O_3$ + MCAA										
	40 mL AG VOA, $Na_2S_2O_3$										
	40mL AG VOA unpreserved (White) (Set of 3										
	40 mL AG VOA, $Na_2S_2O_3$ (Green) (Set of 3)										
	40mL VOA, H_3PO_4 (Set of 3)										
	40 mL VOA, HCl (Blue) (Set of 3)										
	40 mL VOA, $Na_2S_2O_3$ (Green) (Set of 3)										
Glass	250 mL AG unpreserved (White)										
	250 mL AG H_2SO_4 (Yellow)										
	250 mL AG $Na_2S_2O_3$ (Green)										
	250 mL AG $Na_2S_2O_3$ + MCAA										
	500 mL glass unpreserved (White)										
	500 mL AG HCl (Blue)										
	1 L AG unpreserved (White)										
	1 L AG H_2SO_4 (Yellow)										
	1 L AG $Na_2S_2O_3$ (Green)										
	1 L AG HCl (Blue)										
Special	Cr^{6+} - 50mL Plastic w/Borate/HCO_3/CO_3										
	Cyanide - 500 mL NaOH										
	Asbestos - 1L P wrapped in foil (Set of 2)										
	Sulfide - 1 L **AG** or **P** NaOH + ZnAc										
	Chlorite/Bromate - 250 mL AG with EDA										
	HAA5 - 250mL AG Ammonium Chlorite										
	DO KIT										
	Other:										
	Other:										

12/12/23 15:51 23L0716

SEND OUT