Annual Report - General Order No. R5-2007-0035
Reporting period 01/01/2023 to 12/31/2023.

DAIRY FACILITY INFORMATION

A. NAME OF DAIRY OR BUSINESS OPERATING THE DAIRY: Double D Jerseys

Physical address of dairy:

Number and Street	City	County	Zip Code
937 El Katrina LN	Ceres	Stanislaus	95307

Street and nearest cross street (if no address):

Date facility was originally placed in operation: 01/01/1925

Regional Water Quality Control Board Basin Plan designation: San Joaquin River Basin

County Assessor Parcel Number(s) for dairy facility:

X022-X022-X006-XXXX X022-X027-X010-XXXX X022-X027-X011-XXXX

B. OPERATORS

Assali, Dominic

Operator name: Assali, Dominic

Telephone no.: (209) 537-4133 Landline, (209) 542-0281 Cellular

Mailing Address Number and Street	City	State	Zip Code
1441 E Monte Vista AVE	Ceres	CA	95307

This operator is responsible for paying permit fees.

C. OWNERS

Fletcher, Jon

Legal owner name: Fletcher, Jon

Telephone no.: Landline, (209) 648-5038 Cellular

Mailing Address Number and Street	City	State	Zip Code
5701 W Main ST	Turlock	CA	95380

Annual Report - General Order No. R5-2007-0035
Reporting period 01/01/2023 to 12/31/2023.

AVAILABLE NUTRIENTS

A. HERD INFORMATION

	Milk Cows	Dry Cows	Bred Heifers (15-24 mo.)	Heifers (7-14 mo. to breeding)	Calves (4-6 mo.)	Calves (0-3 mo.)
Number open confinement	0	0	0	400	0	0
Number under roof	1,250	0	0	0	150	550
Maximum number	1,250	0	0	400	150	550
Average number	1,250	0	0	400	150	550
Avg live weight (lbs)	1,000	0	0	450		

Predominant milk cow breed: Jersey

Average milk production: 60 *pounds per cow per day*

B. MANURE GENERATED

Total manure excreted by the herd: 36,474.38 *tons per reporting period*

Total nitrogen from manure: 473,774.37 *lbs per reporting period*

After ammonia losses (30% loss applied): 331,642.06 *lbs per reporting period*

Total phosphorus from manure: 76,398.93 *lbs per reporting period*

Total potassium from manure: 231,174.03 *lbs per reporting period*

Total salt from manure: 588,562.50 *lbs per reporting period*

C. PROCESS WASTEWATER GENERATED

Process wastewater generated: 52,406,250 *gallons*

Total nitrogen generated: 90,526.09 *lbs*

Total phosphorus generated: 11,975.55 *lbs*

Total potassium generated: 158,297.56 *lbs*

Total salt generated: 1,337,904.82 *lbs*

	52,406,250	*gallons applied*
+	0	*gallons exported*
-	0	*gallons imported*
=	52,406,250	*gallons generated*

D. FRESH WATER SOURCES

Source Description	Type
IW	Ground water
TID Lateral 4	Surface water

E. SUBSURFACE (TILE) DRAINAGE SOURCES

No subsurface (tile) drainage sources entered.

F. NUTRIENT IMPORTS

No dry manure nutrient imports entered.

No process wastewater nutrient imports entered.

No commercial or other nutrient imports entered.

G. NUTRIENT EXPORTS

No solid nutrient exports entered.

No liquid nutrient exports entered.

APPLICATION AREA

A. LIST OF LAND APPLICATION AREAS

Field name	Controlled acres	Cropable acres	Total harvests	Type of waste applied	Parcel number
Dicks	62	62	1	none	X022-X038-X002-XXXX X022-X038-X011-XXXX
EK1	26	26	2	process wastewater	X022-X027-X010-XXXX X022-X027-X011-XXXX
EK2	39	39	2	process wastewater	X022-X026-X013-XXXX X022-X026-X020-XXXX X022-X027-X010-XXXX
EK3	17	17	2	process wastewater	X022-X026-X020-XXXX
EK4	20	20	2	process wastewater	X022-X026-X019-XXXX
EK5	37	37	2	process wastewater	X022-X026-X010-XXXX
EK6	38	38	2	process wastewater	X022-X026-X022-XXXX
EK7	38	38	2	process wastewater	X022-X027-X010-XXXX
Kathy's	144	144	1	none	X058-X021-X005-XXXX X058-X021-X006-XXXX X058-X022-X024-XXXX X058-X022-X025-XXXX
Keith's	75	75	2	manure	X058-X021-X004-XXXX
Morgan	74	74	2	manure	X058-X020-X006-XXXX X058-X020-X007-XXXX
Pasture	40	40	2	manure	X058-X020-X008-XXXX
Totals for areas that were used for application	404	404	20		
Totals for areas that were not used for application	206	206	2		
Land application area totals	610	610	22		

B. CROPS AND HARVESTS

Dicks

Field name: Dicks

Dicks

11/19/2017: Alfalfa, hay

Crop: Alfalfa, hay Acres planted: 60 Plant date: 11/19/2017

Harvest date	Yield	Reporting basis	Density (lbs/cu ft)	Moisture (%)	N (mg/kg)	P (mg/kg)	K (mg/kg)	Salt (mg/kg)	TFS (%)
11/01/2023	345.00 *ton*	As-is		4.2	20,200.00	2,500.00	17,100.00		7.09

	Yield (tons/acre)	Total N (lbs/acre)	Total P (lbs/acre)	Total K (lbs/acre)	Salt (lbs/acre)
Anticipated harvest content	7.00	420.00	37.80	294.00	0.00
Total actual harvest content	5.75	232.30	28.75	196.65	781.11

EK1

Field name: EK1

10/28/2022: Wheat, silage, soft dough

Crop: Wheat, silage, soft dough Acres planted: 26 Plant date: 10/28/2022

Harvest date	Yield	Reporting basis	Density (lbs/cu ft)	Moisture (%)	N (mg/kg)	P (mg/kg)	K (mg/kg)	Salt (mg/kg)	TFS (%)
05/04/2023	456.00 *ton*	As-is		74.8	4,810.00	960.00	6,970.00		10.70

	Yield (tons/acre)	Total N (lbs/acre)	Total P (lbs/acre)	Total K (lbs/acre)	Salt (lbs/acre)
Anticipated harvest content	15.00	165.00	25.50	124.50	0.00
Total actual harvest content	17.54	168.72	33.67	244.49	945.81

05/24/2023: Corn, silage

Crop: Corn, silage Acres planted: 26 Plant date: 05/24/2023

Harvest date	Yield	Reporting basis	Density (lbs/cu ft)	Moisture (%)	N (mg/kg)	P (mg/kg)	K (mg/kg)	Salt (mg/kg)	TFS (%)
09/05/2023	802.00 *ton*	As-is		73.4	3,030.00	560.00	4,740.00		5.49

	Yield (tons/acre)	Total N (lbs/acre)	Total P (lbs/acre)	Total K (lbs/acre)	Salt (lbs/acre)
Anticipated harvest content	30.00	240.00	45.00	198.00	0.00
Total actual harvest content	30.85	186.93	34.55	292.42	900.92

EK2

Field name: EK2

10/28/2022: Wheat, silage, soft dough

Crop: Wheat, silage, soft dough Acres planted: 39 Plant date: 10/28/2022

Harvest date	Yield	Reporting basis	Density (lbs/cu ft)	Moisture (%)	N (mg/kg)	P (mg/kg)	K (mg/kg)	Salt (mg/kg)	TFS (%)
05/04/2023	602.00 *ton*	As-is		76.4	4,890.00	950.00	7,060.00		10.70

	Yield (tons/acre)	Total N (lbs/acre)	Total P (lbs/acre)	Total K (lbs/acre)	Salt (lbs/acre)
Anticipated harvest content	15.00	165.00	25.50	124.50	0.00
Total actual harvest content	15.44	150.96	29.33	217.95	779.57

05/24/2023: Corn, silage

Crop: Corn, silage Acres planted: 39 Plant date: 05/24/2023

Harvest date	Yield	Reporting basis	Density (lbs/cu ft)	Moisture (%)	N (mg/kg)	P (mg/kg)	K (mg/kg)	Salt (mg/kg)	TFS (%)
09/05/2023	1,145.00 *ton*	As-is		72.6	3,100.00	500.00	4,630.00		4.57

	Yield (tons/acre)	Total N (lbs/acre)	Total P (lbs/acre)	Total K (lbs/acre)	Salt (lbs/acre)
Anticipated harvest content	30.00	240.00	45.00	198.00	0.00
Total actual harvest content	29.36	182.03	29.36	271.86	735.25

EK3

Field name: EK3

10/28/2022: Wheat, silage, soft dough

Crop: Wheat, silage, soft dough Acres planted: 17 Plant date: 10/28/2022

Harvest date	Yield	Reporting basis	Density (lbs/cu ft)	Moisture (%)	N (mg/kg)	P (mg/kg)	K (mg/kg)	Salt (mg/kg)	TFS (%)
05/04/2023	311.00 *ton*	As-is		74.4	4,630.00	980.00	7,050.00		10.30

	Yield (tons/acre)	Total N (lbs/acre)	Total P (lbs/acre)	Total K (lbs/acre)	Salt (lbs/acre)
Anticipated harvest content	15.00	165.00	25.50	124.50	0.00
Total actual harvest content	18.29	169.40	35.86	257.95	964.76

EK3

05/24/2023: Corn, silage

Crop: Corn, silage Acres planted: 17 Plant date: 05/24/2023

Harvest date	Yield	Reporting basis	Density (lbs/cu ft)	Moisture (%)	N (mg/kg)	P (mg/kg)	K (mg/kg)	Salt (mg/kg)	TFS (%)
09/05/2023	605.00 *ton*	As-is		75.0	2,800.00	490.00	5,000.00		5.94

	Yield (tons/acre)	Total N (lbs/acre)	Total P (lbs/acre)	Total K (lbs/acre)	Salt (lbs/acre)
Anticipated harvest content	30.00	240.00	45.00	198.00	0.00
Total actual harvest content	35.59	199.29	34.88	355.88	1,056.97

EK4

Field name: EK4

10/28/2022: Wheat, silage, soft dough

Crop: Wheat, silage, soft dough Acres planted: 20 Plant date: 10/28/2022

Harvest date	Yield	Reporting basis	Density (lbs/cu ft)	Moisture (%)	N (mg/kg)	P (mg/kg)	K (mg/kg)	Salt (mg/kg)	TFS (%)
05/04/2023	320.00 *ton*	As-is		75.8	5,110.00	960.00	7,000.00		10.80

	Yield (tons/acre)	Total N (lbs/acre)	Total P (lbs/acre)	Total K (lbs/acre)	Salt (lbs/acre)
Anticipated harvest content	15.00	165.00	25.50	124.50	0.00
Total actual harvest content	16.00	163.52	30.72	224.00	836.35

05/24/2023: Corn, silage

Crop: Corn, silage Acres planted: 20 Plant date: 05/24/2023

Harvest date	Yield	Reporting basis	Density (lbs/cu ft)	Moisture (%)	N (mg/kg)	P (mg/kg)	K (mg/kg)	Salt (mg/kg)	TFS (%)
09/05/2023	683.00 *ton*	As-is		74.2	2,580.00	470.00	4,800.00		5.88

	Yield (tons/acre)	Total N (lbs/acre)	Total P (lbs/acre)	Total K (lbs/acre)	Salt (lbs/acre)
Anticipated harvest content	30.00	240.00	45.00	198.00	0.00
Total actual harvest content	34.15	176.21	32.10	327.84	1,036.14

EK5

Field name: EK5

10/28/2022: Wheat, silage, soft dough

Crop: Wheat, silage, soft dough Acres planted: 37 Plant date: 10/28/2022

Harvest date	Yield	Reporting basis	Density (lbs/cu ft)	Moisture (%)	N (mg/kg)	P (mg/kg)	K (mg/kg)	Salt (mg/kg)	TFS (%)
05/04/2023	587.00 *ton*	As-is		76.4	4,600.00	910.00	6,500.00		10.90

	Yield (tons/acre)	Total N (lbs/acre)	Total P (lbs/acre)	Total K (lbs/acre)	Salt (lbs/acre)
Anticipated harvest content	15.00	165.00	25.50	124.50	0.00
Total actual harvest content	15.86	145.96	28.87	206.24	816.22

05/24/2023: Corn, silage

Crop: Corn, silage Acres planted: 37 Plant date: 05/24/2023

Harvest date	Yield	Reporting basis	Density (lbs/cu ft)	Moisture (%)	N (mg/kg)	P (mg/kg)	K (mg/kg)	Salt (mg/kg)	TFS (%)
09/06/2023	1,046.00 *ton*	As-is		73.8	3,460.00	650.00	6,160.00		5.83

	Yield (tons/acre)	Total N (lbs/acre)	Total P (lbs/acre)	Total K (lbs/acre)	Salt (lbs/acre)
Anticipated harvest content	30.00	240.00	45.00	198.00	0.00
Total actual harvest content	28.27	195.63	36.75	348.29	863.63

EK6

Field name: EK6

10/28/2022: Wheat, silage, soft dough

Crop: Wheat, silage, soft dough Acres planted: 38 Plant date: 10/28/2022

Harvest date	Yield	Reporting basis	Density (lbs/cu ft)	Moisture (%)	N (mg/kg)	P (mg/kg)	K (mg/kg)	Salt (mg/kg)	TFS (%)
05/04/2023	601.00 *ton*	As-is		75.4	5,390.00	960.00	6,930.00		11.80

	Yield (tons/acre)	Total N (lbs/acre)	Total P (lbs/acre)	Total K (lbs/acre)	Salt (lbs/acre)
Anticipated harvest content	15.00	165.00	25.50	124.50	0.00
Total actual harvest content	15.82	170.49	30.37	219.21	918.20

EK6

05/25/2023: Corn, silage

Crop: Corn, silage Acres planted: 38 Plant date: 05/25/2023

Harvest date	Yield	Reporting basis	Density (lbs/cu ft)	Moisture (%)	N (mg/kg)	P (mg/kg)	K (mg/kg)	Salt (mg/kg)	TFS (%)
09/06/2023	1,088.00 *ton*	As-is		73.6	3,330.00	550.00	5,300.00		6.10

	Yield (tons/acre)	Total N (lbs/acre)	Total P (lbs/acre)	Total K (lbs/acre)	Salt (lbs/acre)
Anticipated harvest content	30.00	240.00	45.00	198.00	0.00
Total actual harvest content	28.63	190.69	31.49	303.49	922.17

EK7

Field name: EK7

10/28/2022: Wheat, silage, soft dough

Crop: Wheat, silage, soft dough Acres planted: 38 Plant date: 10/28/2022

Harvest date	Yield	Reporting basis	Density (lbs/cu ft)	Moisture (%)	N (mg/kg)	P (mg/kg)	K (mg/kg)	Salt (mg/kg)	TFS (%)
05/04/2023	620.00 *ton*	As-is		74.2	5,340.00	950.00	7,070.00		10.20

	Yield (tons/acre)	Total N (lbs/acre)	Total P (lbs/acre)	Total K (lbs/acre)	Salt (lbs/acre)
Anticipated harvest content	15.00	165.00	25.50	124.50	0.00
Total actual harvest content	16.32	174.25	31.00	230.71	858.73

05/25/2023: Corn, silage

Crop: Corn, silage Acres planted: 38 Plant date: 05/25/2023

Harvest date	Yield	Reporting basis	Density (lbs/cu ft)	Moisture (%)	N (mg/kg)	P (mg/kg)	K (mg/kg)	Salt (mg/kg)	TFS (%)
09/06/2023	1,188.00 *ton*	As-is		75.2	2,930.00	520.00	4,560.00		5.05

	Yield (tons/acre)	Total N (lbs/acre)	Total P (lbs/acre)	Total K (lbs/acre)	Salt (lbs/acre)
Anticipated harvest content	30.00	240.00	45.00	198.00	0.00
Total actual harvest content	31.26	183.20	32.51	285.12	783.08

Kathy's

Field name: Kathy's

11/17/2017: Alfalfa, hay

Crop: Alfalfa, hay Acres planted: 144 Plant date: 11/17/2017

Harvest date	Yield	Reporting basis	Density (lbs/cu ft)	Moisture (%)	N (mg/kg)	P (mg/kg)	K (mg/kg)	Salt (mg/kg)	TFS (%)
11/01/2023	856.00 *ton*	As-is		3.8	17,100.00	1,810.00	22,800.00		16.10

	Yield (tons/acre)	Total N (lbs/acre)	Total P (lbs/acre)	Total K (lbs/acre)	Salt (lbs/acre)
Anticipated harvest content	7.00	420.00	37.80	294.00	0.00
Total actual harvest content	5.94	203.30	21.52	271.07	1,841.37

Keith's

Field name: Keith's

10/30/2022: Wheat, silage, soft dough

Crop: Wheat, silage, soft dough Acres planted: 75 Plant date: 10/30/2022

Harvest date	Yield	Reporting basis	Density (lbs/cu ft)	Moisture (%)	N (mg/kg)	P (mg/kg)	K (mg/kg)	Salt (mg/kg)	TFS (%)
05/06/2023	1,161.00 *ton*	As-is		63.2	4,710.00	1,470.00	10,300.00		7.39

	Yield (tons/acre)	Total N (lbs/acre)	Total P (lbs/acre)	Total K (lbs/acre)	Salt (lbs/acre)
Anticipated harvest content	12.00	132.00	20.40	99.60	0.00
Total actual harvest content	15.48	145.82	45.51	318.89	841.96

05/27/2023: Corn, silage

Crop: Corn, silage Acres planted: 75 Plant date: 05/27/2023

Harvest date	Yield	Reporting basis	Density (lbs/cu ft)	Moisture (%)	N (mg/kg)	P (mg/kg)	K (mg/kg)	Salt (mg/kg)	TFS (%)
09/08/2023	1,987.00 *ton*	As-is		69.4	3,820.00	870.00	5,900.00		5.67

	Yield (tons/acre)	Total N (lbs/acre)	Total P (lbs/acre)	Total K (lbs/acre)	Salt (lbs/acre)
Anticipated harvest content	25.00	200.00	37.50	165.00	0.00
Total actual harvest content	26.49	202.41	46.10	312.62	919.33

Morgan

Field name: Morgan

10/30/2022: Wheat, silage, soft dough

Crop: Wheat, silage, soft dough Acres planted: 74 Plant date: 10/30/2022

Harvest date	Yield	Reporting basis	Density (lbs/cu ft)	Moisture (%)	N (mg/kg)	P (mg/kg)	K (mg/kg)	Salt (mg/kg)	TFS (%)
05/06/2023	1,154.00 *ton*	As-is		62.2	4,910.00	1,360.00	11,700.00		7.57

	Yield (tons/acre)	Total N (lbs/acre)	Total P (lbs/acre)	Total K (lbs/acre)	Salt (lbs/acre)
Anticipated harvest content	12.00	132.00	20.40	99.60	0.00
Total actual harvest content	15.59	153.14	42.42	364.91	892.47

05/27/2023: Corn, silage

Crop: Corn, silage Acres planted: 74 Plant date: 05/27/2023

Harvest date	Yield	Reporting basis	Density (lbs/cu ft)	Moisture (%)	N (mg/kg)	P (mg/kg)	K (mg/kg)	Salt (mg/kg)	TFS (%)
09/08/2023	1,923.00 *ton*	As-is		69.8	3,750.00	800.00	6,190.00		6.77

	Yield (tons/acre)	Total N (lbs/acre)	Total P (lbs/acre)	Total K (lbs/acre)	Salt (lbs/acre)
Anticipated harvest content	25.00	200.00	37.50	165.00	0.00
Total actual harvest content	25.99	194.90	41.58	321.71	1,062.61

Pasture

Field name: Pasture

10/30/2022: Wheat, silage, soft dough

Crop: Wheat, silage, soft dough Acres planted: 40 Plant date: 10/30/2022

Harvest date	Yield	Reporting basis	Density (lbs/cu ft)	Moisture (%)	N (mg/kg)	P (mg/kg)	K (mg/kg)	Salt (mg/kg)	TFS (%)
05/06/2023	574.00 *ton*	As-is		62.4	5,150.00	1,090.00	12,000.00		9.28

	Yield (tons/acre)	Total N (lbs/acre)	Total P (lbs/acre)	Total K (lbs/acre)	Salt (lbs/acre)
Anticipated harvest content	12.00	132.00	20.40	99.60	0.00
Total actual harvest content	14.35	147.81	31.28	344.40	1,001.42

Pasture

05/27/2023: Corn, silage

Crop: Corn, silage Acres planted: 40 Plant date: 05/27/2023

Harvest date	Yield	Reporting basis	Density (lbs/cu ft)	Moisture (%)	N (mg/kg)	P (mg/kg)	K (mg/kg)	Salt (mg/kg)	TFS (%)
09/08/2023	1,083.00 *ton*	As-is		70.2	3,820.00	770.00	5,580.00		6.72

	Yield (tons/acre)	Total N (lbs/acre)	Total P (lbs/acre)	Total K (lbs/acre)	Salt (lbs/acre)
Anticipated harvest content	25.00	200.00	37.50	165.00	0.00
Total actual harvest content	27.08	206.85	41.70	302.16	1,084.39

NUTRIENT BUDGET

A. LAND APPLICATIONS

Dicks - 11/19/2017: Alfalfa, hay

Field name: Dicks

Crop: Alfalfa, hay

Plant date: 11/19/2017

Application date	Application method	Precipitation 24 hours prior	Precipitation during application	Precipitation 24 hours following
04/17/2023	Surface (irrigation)	No precipitation	No precipitation	No precipitation

Source description	Material type	N (lbs/acre)	P (lbs/acre)	K (lbs/acre)	Salt (lbs/acre)	Amount
TID Lateral 4	Surface water	0.00	0.00	0.00	39.05	10,800,000.00 *gal*
Application event totals		0.00	0.00	0.00	39.05	

Application date	Application method	Precipitation 24 hours prior	Precipitation during application	Precipitation 24 hours following
05/12/2023	Surface (irrigation)	No precipitation	No precipitation	No precipitation

Source description	Material type	N (lbs/acre)	P (lbs/acre)	K (lbs/acre)	Salt (lbs/acre)	Amount
TID Lateral 4	Surface water	0.00	0.00	0.00	39.05	10,800,000.00 *gal*
Application event totals		0.00	0.00	0.00	39.05	

Application date	Application method	Precipitation 24 hours prior	Precipitation during application	Precipitation 24 hours following
06/07/2023	Surface (irrigation)	No precipitation	No precipitation	No precipitation

Source description	Material type	N (lbs/acre)	P (lbs/acre)	K (lbs/acre)	Salt (lbs/acre)	Amount
TID Lateral 4	Surface water	0.00	0.00	0.00	37.10	10,260,000.00 *gal*
Application event totals		0.00	0.00	0.00	37.10	

Application date	Application method	Precipitation 24 hours prior	Precipitation during application	Precipitation 24 hours following
07/02/2023	Surface (irrigation)	No precipitation	No precipitation	No precipitation

Source description	Material type	N (lbs/acre)	P (lbs/acre)	K (lbs/acre)	Salt (lbs/acre)	Amount
TID Lateral 4	Surface water	0.00	0.00	0.00	35.15	9,720,000.00 *gal*
Application event totals		0.00	0.00	0.00	35.15	

Application date	Application method	Precipitation 24 hours prior	Precipitation during application	Precipitation 24 hours following
07/27/2023	Surface (irrigation)	No precipitation	No precipitation	No precipitation

Source description	Material type	N (lbs/acre)	P (lbs/acre)	K (lbs/acre)	Salt (lbs/acre)	Amount
TID Lateral 4	Surface water	0.00	0.00	0.00	35.15	9,720,000.00 *gal*
Application event totals		0.00	0.00	0.00	35.15	

Dicks - 11/19/2017: Alfalfa, hay

Application date	Application method	Precipitation 24 hours prior	Precipitation during application	Precipitation 24 hours following
08/21/2023	Pipeline	No precipitation	No precipitation	No precipitation

Source description	Material type	N (lbs/acre)	P (lbs/acre)	K (lbs/acre)	Salt (lbs/acre)	Amount
TID Lateral 4	Surface water	0.00	0.00	0.00	35.15	9,720,000.00 *gal*
Application event totals		0.00	0.00	0.00	35.15	

Application date	Application method	Precipitation 24 hours prior	Precipitation during application	Precipitation 24 hours following
09/16/2023	Surface (irrigation)	No precipitation	No precipitation	No precipitation

Source description	Material type	N (lbs/acre)	P (lbs/acre)	K (lbs/acre)	Salt (lbs/acre)	Amount
TID Lateral 4	Surface water	0.00	0.00	0.00	33.20	9,180,000.00 *gal*
Application event totals		0.00	0.00	0.00	33.20	

Application date	Application method	Precipitation 24 hours prior	Precipitation during application	Precipitation 24 hours following
10/11/2023	Surface (irrigation)	No precipitation	No precipitation	No precipitation

Source description	Material type	N (lbs/acre)	P (lbs/acre)	K (lbs/acre)	Salt (lbs/acre)	Amount
TID Lateral 4	Surface water	0.00	0.00	0.00	31.24	8,640,000.00 *gal*
Application event totals		0.00	0.00	0.00	31.24	

EK1 - 10/28/2022: Wheat, silage, soft dough

Field name: EK1

Crop: Wheat, silage, soft dough

Plant date: 10/28/2022

Application date	Application method	Precipitation 24 hours prior	Precipitation during application	Precipitation 24 hours following
10/07/2022	Surface (irrigation)	No precipitation	No precipitation	No precipitation

Source description	Material type	N (lbs/acre)	P (lbs/acre)	K (lbs/acre)	Salt (lbs/acre)	Amount
WWS	Process wastewater	66.68	9.22	105.92	890.67	750,000.00 *gal*
TID Lateral 4	Surface water	0.00	0.00	0.00	0.00	4,050,000.00 *gal*
Application event totals		66.68	9.22	105.92	890.67	

EK1 - 10/28/2022: Wheat, silage, soft dough

Application date	Application method	Precipitation 24 hours prior	Precipitation during application	Precipitation 24 hours following
01/18/2023	Surface (irrigation)	No precipitation	No precipitation	No precipitation

Source description	Material type	N (lbs/acre)	P (lbs/acre)	K (lbs/acre)	Salt (lbs/acre)	Amount
WWS	Process wastewater	65.28	11.65	102.64	666.32	600,000.00 *gal*
IW	Ground water	8.13	0.00	0.00	94.29	864,000.00 *gal*
Application event totals		73.41	11.65	102.64	760.60	

Application date	Application method	Precipitation 24 hours prior	Precipitation during application	Precipitation 24 hours following
04/03/2023	Surface (irrigation)	No precipitation	No precipitation	No precipitation

Source description	Material type	N (lbs/acre)	P (lbs/acre)	K (lbs/acre)	Salt (lbs/acre)	Amount
WWS	Process wastewater	65.40	8.51	122.58	1,006.21	712,500.00 *gal*
TID Lateral 4	Surface water	0.00	0.00	0.00	32.11	3,847,500.00 *gal*
Application event totals		65.40	8.51	122.58	1,038.32	

EK1 - 05/24/2023: Corn, silage

Field name: EK1

Crop: Corn, silage

Plant date: 05/24/2023

Application date	Application method	Precipitation 24 hours prior	Precipitation during application	Precipitation 24 hours following
05/12/2023	Surface (irrigation)	No precipitation	No precipitation	No precipitation

Source description	Material type	N (lbs/acre)	P (lbs/acre)	K (lbs/acre)	Salt (lbs/acre)	Amount
WWS	Process wastewater	86.06	11.19	161.28	1,323.97	937,500.00 *gal*
TID Lateral 4	Surface water	0.00	0.00	0.00	42.25	5,062,500.00 *gal*
Application event totals		86.06	11.19	161.28	1,366.21	

Application date	Application method	Precipitation 24 hours prior	Precipitation during application	Precipitation 24 hours following
06/25/2023	Surface (irrigation)	No precipitation	No precipitation	No precipitation

Source description	Material type	N (lbs/acre)	P (lbs/acre)	K (lbs/acre)	Salt (lbs/acre)	Amount
TID Lateral 4	Surface water	0.00	0.00	0.00	38.87	4,657,500.00 *gal*
Application event totals		0.00	0.00	0.00	38.87	

EK1 - 05/24/2023: Corn, silage

Application date	Application method	Precipitation 24 hours prior	Precipitation during application	Precipitation 24 hours following
07/06/2023	Surface (irrigation)	No precipitation	No precipitation	No precipitation

Source description	Material type	N (lbs/acre)	P (lbs/acre)	K (lbs/acre)	Salt (lbs/acre)	Amount
WWS	Process wastewater	34.16	3.92	60.37	566.66	825,000.00 *gal*
TID Lateral 4	Surface water	0.00	0.00	0.00	37.18	4,455,000.00 *gal*
Application event totals		34.16	3.92	60.37	603.83	

07/17/2023	Surface (irrigation)	No precipitation	No precipitation	No precipitation

Source description	Material type	N (lbs/acre)	P (lbs/acre)	K (lbs/acre)	Salt (lbs/acre)	Amount
WWS	Process wastewater	34.16	3.92	60.37	566.66	825,000.00 *gal*
TID Lateral 4	Surface water	0.00	0.00	0.00	37.18	4,455,000.00 *gal*
Application event totals		34.16	3.92	60.37	603.83	

07/28/2023	Surface (irrigation)	No precipitation	No precipitation	No precipitation

Source description	Material type	N (lbs/acre)	P (lbs/acre)	K (lbs/acre)	Salt (lbs/acre)	Amount
WWS	Process wastewater	31.05	3.56	54.88	515.14	750,000.00 *gal*
TID Lateral 4	Surface water	0.00	0.00	0.00	33.80	4,050,000.00 *gal*
Application event totals		31.05	3.56	54.88	548.94	

08/08/2023	Surface (irrigation)	No precipitation	No precipitation	No precipitation

Source description	Material type	N (lbs/acre)	P (lbs/acre)	K (lbs/acre)	Salt (lbs/acre)	Amount
WWS	Process wastewater	31.05	3.56	54.88	515.14	750,000.00 *gal*
TID Lateral 4	Surface water	0.00	0.00	0.00	33.80	4,050,000.00 *gal*
Application event totals		31.05	3.56	54.88	548.94	

08/19/2023	Surface (irrigation)	No precipitation	No precipitation	No precipitation

Source description	Material type	N (lbs/acre)	P (lbs/acre)	K (lbs/acre)	Salt (lbs/acre)	Amount
TID Lateral 4	Surface water	0.00	0.00	0.00	33.80	4,050,000.00 *gal*
Application event totals		0.00	0.00	0.00	33.80	

EK2 - 10/28/2022: Wheat, silage, soft dough

EK2 - 10/28/2022: Wheat, silage, soft dough

Field name: EK2

Crop: Wheat, silage, soft dough

Plant date: 10/28/2022

Application date	Application method	Precipitation 24 hours prior	Precipitation during application	Precipitation 24 hours following
10/07/2022	Surface (irrigation)	No precipitation	No precipitation	No precipitation

Source description	Material type	N (lbs/acre)	P (lbs/acre)	K (lbs/acre)	Salt (lbs/acre)	Amount
WWS	Process wastewater	71.13	9.83	112.98	950.05	1,200,000.00 *gal*
TID Lateral 4	Surface water	0.00	0.00	0.00	0.00	6,480,000.00 *gal*
Application event totals		71.13	9.83	112.98	950.05	

Application date	Application method	Precipitation 24 hours prior	Precipitation during application	Precipitation 24 hours following
01/18/2023	Surface (irrigation)	No precipitation	No precipitation	No precipitation

Source description	Material type	N (lbs/acre)	P (lbs/acre)	K (lbs/acre)	Salt (lbs/acre)	Amount
WWS	Process wastewater	65.28	11.65	102.64	666.32	900,000.00 *gal*
IW	Ground water	8.13	0.00	0.00	94.29	1,296,000.00 *gal*
Application event totals		73.41	11.65	102.64	760.60	

Application date	Application method	Precipitation 24 hours prior	Precipitation during application	Precipitation 24 hours following
04/03/2023	Surface (irrigation)	No precipitation	No precipitation	No precipitation

Source description	Material type	N (lbs/acre)	P (lbs/acre)	K (lbs/acre)	Salt (lbs/acre)	Amount
WWS	Process wastewater	64.26	8.36	120.42	988.56	1,050,000.00 *gal*
TID Lateral 4	Surface water	0.00	0.00	0.00	36.05	6,480,000.00 *gal*
Application event totals		64.26	8.36	120.42	1,024.61	

EK2 - 05/24/2023: Corn, silage

Field name: EK2

Crop: Corn, silage

Plant date: 05/24/2023

Application date	Application method	Precipitation 24 hours prior	Precipitation during application	Precipitation 24 hours following
05/12/2023	Surface (irrigation)	No precipitation	No precipitation	No precipitation

Source description	Material type	N (lbs/acre)	P (lbs/acre)	K (lbs/acre)	Salt (lbs/acre)	Amount
WWS	Process wastewater	82.62	10.75	154.83	1,271.01	1,350,000.00 *gal*
TID Lateral 4	Surface water	0.00	0.00	0.00	40.56	7,290,000.00 *gal*
Application event totals		82.62	10.75	154.83	1,311.56	

EK2 - 05/24/2023: Corn, silage

Application date	Application method	Precipitation 24 hours prior	Precipitation during application	Precipitation 24 hours following
06/25/2023	Surface (irrigation)	No precipitation	No precipitation	No precipitation

Source description	Material type	N (lbs/acre)	P (lbs/acre)	K (lbs/acre)	Salt (lbs/acre)	Amount
TID Lateral 4	Surface water	0.00	0.00	0.00	37.18	6,682,500.00 *gal*
Application event totals		0.00	0.00	0.00	37.18	

Application date	Application method	Precipitation 24 hours prior	Precipitation during application	Precipitation 24 hours following
07/06/2023	Surface (irrigation)	No precipitation	No precipitation	No precipitation

Source description	Material type	N (lbs/acre)	P (lbs/acre)	K (lbs/acre)	Salt (lbs/acre)	Amount
WWS	Process wastewater	33.12	3.80	58.54	549.49	1,200,000.00 *gal*
TID Lateral 4	Surface water	0.00	0.00	0.00	36.05	6,480,000.00 *gal*
Application event totals		33.12	3.80	58.54	585.54	

Application date	Application method	Precipitation 24 hours prior	Precipitation during application	Precipitation 24 hours following
07/17/2023	Surface (irrigation)	No precipitation	No precipitation	No precipitation

Source description	Material type	N (lbs/acre)	P (lbs/acre)	K (lbs/acre)	Salt (lbs/acre)	Amount
WWS	Process wastewater	32.09	3.68	56.71	532.31	1,162,500.00 *gal*
TID Lateral 4	Surface water	0.00	0.00	0.00	34.92	6,277,500.00 *gal*
Application event totals		32.09	3.68	56.71	567.24	

Application date	Application method	Precipitation 24 hours prior	Precipitation during application	Precipitation 24 hours following
07/28/2023	Surface (irrigation)	No precipitation	No precipitation	No precipitation

Source description	Material type	N (lbs/acre)	P (lbs/acre)	K (lbs/acre)	Salt (lbs/acre)	Amount
WWS	Process wastewater	31.05	3.56	54.88	515.14	1,125,000.00 *gal*
TID Lateral 4	Surface water	0.00	0.00	0.00	33.80	6,075,000.00 *gal*
Application event totals		31.05	3.56	54.88	548.94	

Application date	Application method	Precipitation 24 hours prior	Precipitation during application	Precipitation 24 hours following
08/08/2023	Surface (irrigation)	No precipitation	No precipitation	No precipitation

Source description	Material type	N (lbs/acre)	P (lbs/acre)	K (lbs/acre)	Salt (lbs/acre)	Amount
WWS	Process wastewater	31.05	3.56	54.88	515.14	1,125,000.00 *gal*
TID Lateral 4	Surface water	0.00	0.00	0.00	33.80	6,075,000.00 *gal*
Application event totals		31.05	3.56	54.88	548.94	

EK2 - 05/24/2023: Corn, silage

Application date	Application method	Precipitation 24 hours prior	Precipitation during application	Precipitation 24 hours following
08/19/2023	Surface (irrigation)	No precipitation	No precipitation	No precipitation

Source description	Material type	N (lbs/acre)	P (lbs/acre)	K (lbs/acre)	Salt (lbs/acre)	Amount
TID Lateral 4	Surface water	0.00	0.00	0.00	33.80	6,075,000.00 *gal*
Application event totals		0.00	0.00	0.00	33.80	

EK3 - 10/28/2022: Wheat, silage, soft dough

Field name: EK3

Crop: Wheat, silage, soft dough

Plant date: 10/28/2022

Application date	Application method	Precipitation 24 hours prior	Precipitation during application	Precipitation 24 hours following
10/08/2022	Surface (irrigation)	No precipitation	No precipitation	No precipitation

Source description	Material type	N (lbs/acre)	P (lbs/acre)	K (lbs/acre)	Salt (lbs/acre)	Amount
WWS	Process wastewater	71.39	9.87	113.39	953.54	525,000.00 *gal*
TID Lateral 4	Surface water	0.00	0.00	0.00	0.00	2,835,000.00 *gal*
Application event totals		71.39	9.87	113.39	953.54	

Application date	Application method	Precipitation 24 hours prior	Precipitation during application	Precipitation 24 hours following
01/19/2023	Surface (irrigation)	No precipitation	No precipitation	No precipitation

Source description	Material type	N (lbs/acre)	P (lbs/acre)	K (lbs/acre)	Salt (lbs/acre)	Amount
WWS	Process wastewater	62.40	11.14	98.12	636.92	375,000.00 *gal*
IW	Ground water	7.77	0.00	0.00	90.13	540,000.00 *gal*
Application event totals		70.17	11.14	98.12	727.05	

Application date	Application method	Precipitation 24 hours prior	Precipitation during application	Precipitation 24 hours following
04/04/2023	Surface (irrigation)	No precipitation	No precipitation	No precipitation

Source description	Material type	N (lbs/acre)	P (lbs/acre)	K (lbs/acre)	Salt (lbs/acre)	Amount
WWS	Process wastewater	73.71	9.59	138.13	1,133.94	525,000.00 *gal*
TID Lateral 4	Surface water	0.00	0.00	0.00	36.18	2,835,000.00 *gal*
Application event totals		73.71	9.59	138.13	1,170.12	

EK3 - 05/24/2023: Corn, silage

EK3 - 05/24/2023: Corn, silage

Field name: EK3

Crop: Corn, silage

Plant date: 05/24/2023

Application date	Application method	Precipitation 24 hours prior	Precipitation during application	Precipitation 24 hours following
05/13/2023	Surface (irrigation)	No precipitation	No precipitation	No precipitation

Source description	Material type	N (lbs/acre)	P (lbs/acre)	K (lbs/acre)	Salt (lbs/acre)	Amount
WWS	Process wastewater	94.76	12.33	177.60	1,457.92	675,000.00 *gal*
TID Lateral 4	Surface water	0.00	0.00	0.00	46.52	3,645,000.00 *gal*
Application event totals		94.76	12.33	177.60	1,504.44	

Application date	Application method	Precipitation 24 hours prior	Precipitation during application	Precipitation 24 hours following
06/26/2023	Surface (irrigation)	No precipitation	No precipitation	No precipitation

Source description	Material type	N (lbs/acre)	P (lbs/acre)	K (lbs/acre)	Salt (lbs/acre)	Amount
TID Lateral 4	Surface water	0.00	0.00	0.00	41.35	3,240,000.00 *gal*
Application event totals		0.00	0.00	0.00	41.35	

Application date	Application method	Precipitation 24 hours prior	Precipitation during application	Precipitation 24 hours following
07/07/2023	Surface (irrigation)	No precipitation	No precipitation	No precipitation

Source description	Material type	N (lbs/acre)	P (lbs/acre)	K (lbs/acre)	Salt (lbs/acre)	Amount
WWS	Process wastewater	35.62	4.09	62.96	590.90	562,500.00 *gal*
TID Lateral 4	Surface water	0.00	0.00	0.00	38.77	3,037,500.00 *gal*
Application event totals		35.62	4.09	62.96	629.67	

Application date	Application method	Precipitation 24 hours prior	Precipitation during application	Precipitation 24 hours following
07/18/2023	Surface (irrigation)	No precipitation	No precipitation	No precipitation

Source description	Material type	N (lbs/acre)	P (lbs/acre)	K (lbs/acre)	Salt (lbs/acre)	Amount
WWS	Process wastewater	35.62	4.09	62.96	590.90	562,500.00 *gal*
TID Lateral 4	Surface water	0.00	0.00	0.00	38.77	3,037,500.00 *gal*
Application event totals		35.62	4.09	62.96	629.67	

Application date	Application method	Precipitation 24 hours prior	Precipitation during application	Precipitation 24 hours following
07/29/2023	Surface (irrigation)	No precipitation	No precipitation	No precipitation

Source description	Material type	N (lbs/acre)	P (lbs/acre)	K (lbs/acre)	Salt (lbs/acre)	Amount
WWS	Process wastewater	33.25	3.81	58.76	551.51	525,000.00 *gal*
TID Lateral 4	Surface water	0.00	0.00	0.00	36.18	2,835,000.00 *gal*
Application event totals		33.25	3.81	58.76	587.69	

EK3 - 05/24/2023: Corn, silage

Application date	Application method	Precipitation 24 hours prior	Precipitation during application	Precipitation 24 hours following
08/09/2023	Surface (irrigation)	No precipitation	No precipitation	No precipitation

Source description	Material type	N (lbs/acre)	P (lbs/acre)	K (lbs/acre)	Salt (lbs/acre)	Amount
WWS	Process wastewater	33.25	3.81	58.76	551.51	525,000.00 *gal*
TID Lateral 4	Surface water	0.00	0.00	0.00	36.18	2,835,000.00 *gal*
Application event totals		33.25	3.81	58.76	587.69	

Application date	Application method	Precipitation 24 hours prior	Precipitation during application	Precipitation 24 hours following
08/20/2023	Surface (irrigation)	No precipitation	No precipitation	No precipitation

Source description	Material type	N (lbs/acre)	P (lbs/acre)	K (lbs/acre)	Salt (lbs/acre)	Amount
TID Lateral 4	Surface water	0.00	0.00	0.00	36.18	2,835,000.00 *gal*
Application event totals		0.00	0.00	0.00	36.18	

EK4 - 10/28/2022: Wheat, silage, soft dough

Field name: EK4

Crop: Wheat, silage, soft dough

Plant date: 10/28/2022

Application date	Application method	Precipitation 24 hours prior	Precipitation during application	Precipitation 24 hours following
10/08/2022	Surface (irrigation)	No precipitation	No precipitation	No precipitation

Source description	Material type	N (lbs/acre)	P (lbs/acre)	K (lbs/acre)	Salt (lbs/acre)	Amount
WWS	Process wastewater	69.35	9.59	110.15	926.30	600,000.00 *gal*
TID Lateral 4	Surface water	0.00	0.00	0.00	0.00	3,240,000.00 *gal*
Application event totals		69.35	9.59	110.15	926.30	

Application date	Application method	Precipitation 24 hours prior	Precipitation during application	Precipitation 24 hours following
12/17/2022	Surface (irrigation)	No precipitation	No precipitation	No precipitation

Source description	Material type	N (lbs/acre)	P (lbs/acre)	K (lbs/acre)	Salt (lbs/acre)	Amount
WWS	Process wastewater	52.01	7.19	82.62	694.72	450,000.00 *gal*
IW	Ground water	7.92	0.00	0.00	91.93	648,000.00 *gal*
Application event totals		59.93	7.19	82.62	786.65	

EK4 - 10/28/2022: Wheat, silage, soft dough

Application date	Application method	Precipitation 24 hours prior	Precipitation during application	Precipitation 24 hours following
04/04/2023	Surface (irrigation)	No precipitation	No precipitation	No precipitation

Source description	Material type	N (lbs/acre)	P (lbs/acre)	K (lbs/acre)	Salt (lbs/acre)	Amount
WWS	Process wastewater	62.65	8.15	117.41	963.85	525,000.00 *gal*
TID Lateral 4	Surface water	0.00	0.00	0.00	30.76	2,835,000.00 *gal*
Application event totals		62.65	8.15	117.41	994.60	

EK4 - 05/24/2023: Corn, silage

Field name: EK4

Crop: Corn, silage

Plant date: 05/24/2023

Application date	Application method	Precipitation 24 hours prior	Precipitation during application	Precipitation 24 hours following
05/13/2023	Surface (irrigation)	No precipitation	No precipitation	No precipitation

Source description	Material type	N (lbs/acre)	P (lbs/acre)	K (lbs/acre)	Salt (lbs/acre)	Amount
WWS	Process wastewater	85.03	11.06	159.35	1,308.08	712,500.00 *gal*
TID Lateral 4	Surface water	0.00	0.00	0.00	41.74	3,847,500.00 *gal*
Application event totals		85.03	11.06	159.35	1,349.82	

Application date	Application method	Precipitation 24 hours prior	Precipitation during application	Precipitation 24 hours following
06/26/2023	Surface (irrigation)	No precipitation	No precipitation	No precipitation

Source description	Material type	N (lbs/acre)	P (lbs/acre)	K (lbs/acre)	Salt (lbs/acre)	Amount
TID Lateral 4	Surface water	0.00	0.00	0.00	39.54	3,645,000.00 *gal*
Application event totals		0.00	0.00	0.00	39.54	

Application date	Application method	Precipitation 24 hours prior	Precipitation during application	Precipitation 24 hours following
07/07/2023	Surface (irrigation)	No precipitation	No precipitation	No precipitation

Source description	Material type	N (lbs/acre)	P (lbs/acre)	K (lbs/acre)	Salt (lbs/acre)	Amount
WWS	Process wastewater	34.31	3.94	60.65	569.23	637,500.00 *gal*
TID Lateral 4	Surface water	0.00	0.00	0.00	37.35	3,442,500.00 *gal*
Application event totals		34.31	3.94	60.65	606.58	

EK4 - 05/24/2023: Corn, silage

Application date	Application method	Precipitation 24 hours prior	Precipitation during application	Precipitation 24 hours following
07/18/2023	Surface (irrigation)	No precipitation	No precipitation	No precipitation

Source description	Material type	N (lbs/acre)	P (lbs/acre)	K (lbs/acre)	Salt (lbs/acre)	Amount
WWS	Process wastewater	34.31	3.94	60.65	569.23	637,500.00 *gal*
TID Lateral 4	Surface water	0.00	0.00	0.00	37.35	3,442,500.00 *gal*
Application event totals		34.31	3.94	60.65	606.58	

Application date	Application method	Precipitation 24 hours prior	Precipitation during application	Precipitation 24 hours following
07/29/2023	Surface (irrigation)	No precipitation	No precipitation	No precipitation

Source description	Material type	N (lbs/acre)	P (lbs/acre)	K (lbs/acre)	Salt (lbs/acre)	Amount
WWS	Process wastewater	33.30	3.82	58.86	552.49	618,750.00 *gal*
TID Lateral 4	Surface water	0.00	0.00	0.00	36.25	3,341,250.00 *gal*
Application event totals		33.30	3.82	58.86	588.74	

Application date	Application method	Precipitation 24 hours prior	Precipitation during application	Precipitation 24 hours following
08/09/2023	Surface (irrigation)	No precipitation	No precipitation	No precipitation

Source description	Material type	N (lbs/acre)	P (lbs/acre)	K (lbs/acre)	Salt (lbs/acre)	Amount
WWS	Process wastewater	32.30	3.71	57.08	535.75	600,000.00 *gal*
TID Lateral 4	Surface water	0.00	0.00	0.00	35.15	3,240,000.00 *gal*
Application event totals		32.30	3.71	57.08	570.90	

Application date	Application method	Precipitation 24 hours prior	Precipitation during application	Precipitation 24 hours following
08/20/2023	Surface (irrigation)	No precipitation	No precipitation	No precipitation

Source description	Material type	N (lbs/acre)	P (lbs/acre)	K (lbs/acre)	Salt (lbs/acre)	Amount
TID Lateral 4	Surface water	0.00	0.00	0.00	32.95	3,037,500.00 *gal*
Application event totals		0.00	0.00	0.00	32.95	

EK5 - 10/28/2022: Wheat, silage, soft dough

Field name: EK5

Crop: Wheat, silage, soft dough

Plant date: 10/28/2022

Application date	Application method	Precipitation 24 hours prior	Precipitation during application	Precipitation 24 hours following

EK5 - 10/28/2022: Wheat, silage, soft dough

Application date	Application method	Precipitation 24 hours prior	Precipitation during application	Precipitation 24 hours following
10/09/2022	Surface (irrigation)	No precipitation	No precipitation	No precipitation

Source description	Material type	N (lbs/acre)	P (lbs/acre)	K (lbs/acre)	Salt (lbs/acre)	Amount
WWS	Process wastewater	70.28	9.72	111.64	938.81	1,125,000.00 *gal*
TID Lateral 4	Surface water	0.00	0.00	0.00	0.00	6,075,000.00 *gal*
Application event totals		70.28	9.72	111.64	938.81	

12/18/2022	Surface (irrigation)	No precipitation	No precipitation	No precipitation

Source description	Material type	N (lbs/acre)	P (lbs/acre)	K (lbs/acre)	Salt (lbs/acre)	Amount
WWS	Process wastewater	46.86	6.48	74.43	625.88	750,000.00 *gal*
IW	Ground water	7.14	0.00	0.00	82.82	1,080,000.00 *gal*
Application event totals		53.99	6.48	74.43	708.69	

04/05/2023	Surface (irrigation)	No precipitation	No precipitation	No precipitation

Source description	Material type	N (lbs/acre)	P (lbs/acre)	K (lbs/acre)	Salt (lbs/acre)	Amount
WWS	Process wastewater	67.73	8.81	126.93	1,042.00	1,050,000.00 *gal*
TID Lateral 4	Surface water	0.00	0.00	0.00	33.25	5,670,000.00 *gal*
Application event totals		67.73	8.81	126.93	1,075.25	

EK5 - 05/24/2023: Corn, silage

Field name: EK5

Crop: Corn, silage

Plant date: 05/24/2023

Application date	Application method	Precipitation 24 hours prior	Precipitation during application	Precipitation 24 hours following
05/14/2023	Surface (irrigation)	No precipitation	No precipitation	No precipitation

Source description	Material type	N (lbs/acre)	P (lbs/acre)	K (lbs/acre)	Salt (lbs/acre)	Amount
WWS	Process wastewater	87.08	11.33	163.20	1,339.71	1,350,000.00 *gal*
TID Lateral 4	Surface water	0.00	0.00	0.00	42.75	7,290,000.00 *gal*
Application event totals		87.08	11.33	163.20	1,382.46	

EK5 - 05/24/2023: Corn, silage

Application date	Application method	Precipitation 24 hours prior	Precipitation during application	Precipitation 24 hours following
06/27/2023	Surface (irrigation)	No precipitation	No precipitation	No precipitation

Source description	Material type	N (lbs/acre)	P (lbs/acre)	K (lbs/acre)	Salt (lbs/acre)	Amount
TID Lateral 4	Surface water	0.00	0.00	0.00	40.37	6,885,000.00 *gal*
Application event totals		0.00	0.00	0.00	40.37	

Application date	Application method	Precipitation 24 hours prior	Precipitation during application	Precipitation 24 hours following
07/08/2023	Surface (irrigation)	No precipitation	No precipitation	No precipitation

Source description	Material type	N (lbs/acre)	P (lbs/acre)	K (lbs/acre)	Salt (lbs/acre)	Amount
WWS	Process wastewater	36.00	4.13	63.64	597.29	1,237,500.00 *gal*
TID Lateral 4	Surface water	0.00	0.00	0.00	39.19	6,682,500.00 *gal*
Application event totals		36.00	4.13	63.64	636.47	

Application date	Application method	Precipitation 24 hours prior	Precipitation during application	Precipitation 24 hours following
07/19/2023	Surface (irrigation)	No precipitation	No precipitation	No precipitation

Source description	Material type	N (lbs/acre)	P (lbs/acre)	K (lbs/acre)	Salt (lbs/acre)	Amount
WWS	Process wastewater	34.91	4.01	61.71	579.19	1,200,000.00 *gal*
TID Lateral 4	Surface water	0.00	0.00	0.00	38.00	6,480,000.00 *gal*
Application event totals		34.91	4.01	61.71	617.19	

Application date	Application method	Precipitation 24 hours prior	Precipitation during application	Precipitation 24 hours following
07/30/2023	Surface (irrigation)	No precipitation	No precipitation	No precipitation

Source description	Material type	N (lbs/acre)	P (lbs/acre)	K (lbs/acre)	Salt (lbs/acre)	Amount
WWS	Process wastewater	33.82	3.88	59.78	561.09	1,162,500.00 *gal*
TID Lateral 4	Surface water	0.00	0.00	0.00	36.81	6,277,500.00 *gal*
Application event totals		33.82	3.88	59.78	597.90	

Application date	Application method	Precipitation 24 hours prior	Precipitation during application	Precipitation 24 hours following
08/10/2023	Surface (irrigation)	No precipitation	No precipitation	No precipitation

Source description	Material type	N (lbs/acre)	P (lbs/acre)	K (lbs/acre)	Salt (lbs/acre)	Amount
WWS	Process wastewater	33.82	3.88	59.78	561.09	1,162,500.00 *gal*
TID Lateral 4	Surface water	0.00	0.00	0.00	36.81	6,277,500.00 *gal*
Application event totals		33.82	3.88	59.78	597.90	

EK5 - 05/24/2023: Corn, silage

Application date	Application method	Precipitation 24 hours prior	Precipitation during application	Precipitation 24 hours following
08/21/2023	Surface (irrigation)	No precipitation	No precipitation	No precipitation

Source description	Material type	N (lbs/acre)	P (lbs/acre)	K (lbs/acre)	Salt (lbs/acre)	Amount
TID Lateral 4	Surface water	0.00	0.00	0.00	35.62	6,075,000.00 *gal*
Application event totals		0.00	0.00	0.00	35.62	

EK6 - 10/28/2022: Wheat, silage, soft dough

Field name: EK6

Crop: Wheat, silage, soft dough

Plant date: 10/28/2022

Application date	Application method	Precipitation 24 hours prior	Precipitation during application	Precipitation 24 hours following
10/09/2022	Surface (irrigation)	No precipitation	No precipitation	No precipitation

Source description	Material type	N (lbs/acre)	P (lbs/acre)	K (lbs/acre)	Salt (lbs/acre)	Amount
WWS	Process wastewater	68.43	9.46	108.70	914.11	1,125,000.00 *gal*
TID Lateral 4	Surface water	0.00	0.00	0.00	0.00	6,075,000.00 *gal*
Application event totals		68.43	9.46	108.70	914.11	

Application date	Application method	Precipitation 24 hours prior	Precipitation during application	Precipitation 24 hours following
01/20/2023	Surface (irrigation)	No precipitation	No precipitation	No precipitation

Source description	Material type	N (lbs/acre)	P (lbs/acre)	K (lbs/acre)	Salt (lbs/acre)	Amount
WWS	Process wastewater	67.00	11.96	105.34	683.85	900,000.00 *gal*
IW	Ground water	8.34	0.00	0.00	96.77	1,296,000.00 *gal*
Application event totals		75.34	11.96	105.34	780.62	

Application date	Application method	Precipitation 24 hours prior	Precipitation during application	Precipitation 24 hours following
04/05/2023	Surface (irrigation)	No precipitation	No precipitation	No precipitation

Source description	Material type	N (lbs/acre)	P (lbs/acre)	K (lbs/acre)	Salt (lbs/acre)	Amount
WWS	Process wastewater	65.95	8.58	123.59	1,014.58	1,050,000.00 *gal*
TID Lateral 4	Surface water	0.00	0.00	0.00	32.37	5,670,000.00 *gal*
Application event totals		65.95	8.58	123.59	1,046.95	

EK6 - 05/25/2023: Corn, silage

EK6 - 05/25/2023: Corn, silage

Field name: EK6

Crop: Corn, silage

Plant date: 05/25/2023

Application date	Application method	Precipitation 24 hours prior	Precipitation during application	Precipitation 24 hours following
05/14/2023	Surface (irrigation)	No precipitation	No precipitation	No precipitation

Source description	Material type	N (lbs/acre)	P (lbs/acre)	K (lbs/acre)	Salt (lbs/acre)	Amount
WWS	Process wastewater	87.14	11.33	163.32	1,340.69	1,387,500.00 *gal*
TID Lateral 4	Surface water	0.00	0.00	0.00	42.78	7,492,500.00 *gal*
Application event totals		87.14	11.33	163.32	1,383.47	

Application date	Application method	Precipitation 24 hours prior	Precipitation during application	Precipitation 24 hours following
06/27/2023	Surface (irrigation)	No precipitation	No precipitation	No precipitation

Source description	Material type	N (lbs/acre)	P (lbs/acre)	K (lbs/acre)	Salt (lbs/acre)	Amount
TID Lateral 4	Surface water	0.00	0.00	0.00	40.47	7,087,500.00 *gal*
Application event totals		0.00	0.00	0.00	40.47	

Application date	Application method	Precipitation 24 hours prior	Precipitation during application	Precipitation 24 hours following
07/08/2023	Surface (irrigation)	No precipitation	No precipitation	No precipitation

Source description	Material type	N (lbs/acre)	P (lbs/acre)	K (lbs/acre)	Salt (lbs/acre)	Amount
WWS	Process wastewater	36.12	4.14	63.84	599.19	1,275,000.00 *gal*
TID Lateral 4	Surface water	0.00	0.00	0.00	39.31	6,885,000.00 *gal*
Application event totals		36.12	4.14	63.84	638.50	

Application date	Application method	Precipitation 24 hours prior	Precipitation during application	Precipitation 24 hours following
07/19/2023	Surface (irrigation)	No precipitation	No precipitation	No precipitation

Source description	Material type	N (lbs/acre)	P (lbs/acre)	K (lbs/acre)	Salt (lbs/acre)	Amount
WWS	Process wastewater	36.12	4.14	63.84	599.19	1,275,000.00 *gal*
TID Lateral 4	Surface water	0.00	0.00	0.00	39.31	6,885,000.00 *gal*
Application event totals		36.12	4.14	63.84	638.50	

Application date	Application method	Precipitation 24 hours prior	Precipitation during application	Precipitation 24 hours following
07/30/2023	Surface (irrigation)	No precipitation	No precipitation	No precipitation

Source description	Material type	N (lbs/acre)	P (lbs/acre)	K (lbs/acre)	Salt (lbs/acre)	Amount
WWS	Process wastewater	35.06	4.02	61.96	581.57	1,237,500.00 *gal*
TID Lateral 4	Surface water	0.00	0.00	0.00	38.16	6,682,500.00 *gal*
Application event totals		35.06	4.02	61.96	619.72	

EK6 - 05/25/2023: Corn, silage

Application date	Application method	Precipitation 24 hours prior	Precipitation during application	Precipitation 24 hours following
08/10/2023	Surface (irrigation)	No precipitation	No precipitation	No precipitation

Source description	Material type	N (lbs/acre)	P (lbs/acre)	K (lbs/acre)	Salt (lbs/acre)	Amount
WWS	Process wastewater	33.99	3.90	60.08	563.95	1,200,000.00 *gal*
TID Lateral 4	Surface water	0.00	0.00	0.00	37.00	6,480,000.00 *gal*
Application event totals		33.99	3.90	60.08	600.95	

Application date	Application method	Precipitation 24 hours prior	Precipitation during application	Precipitation 24 hours following
08/21/2023	Surface (irrigation)	No precipitation	No precipitation	No precipitation

Source description	Material type	N (lbs/acre)	P (lbs/acre)	K (lbs/acre)	Salt (lbs/acre)	Amount
TID Lateral 4	Surface water	0.00	0.00	0.00	34.69	6,075,000.00 *gal*
Application event totals		0.00	0.00	0.00	34.69	

EK7 - 10/28/2022: Wheat, silage, soft dough

Field name: EK7

Crop: Wheat, silage, soft dough

Plant date: 10/28/2022

Application date	Application method	Precipitation 24 hours prior	Precipitation during application	Precipitation 24 hours following
10/10/2022	Surface (irrigation)	No precipitation	No precipitation	No precipitation

Source description	Material type	N (lbs/acre)	P (lbs/acre)	K (lbs/acre)	Salt (lbs/acre)	Amount
WWS	Process wastewater	73.00	10.09	115.95	975.05	1,200,000.00 *gal*
TID Lateral 4	Surface water	0.00	0.00	0.00	0.00	6,480,000.00 *gal*
Application event totals		73.00	10.09	115.95	975.05	

Application date	Application method	Precipitation 24 hours prior	Precipitation during application	Precipitation 24 hours following
01/21/2023	Surface (irrigation)	No precipitation	No precipitation	No precipitation

Source description	Material type	N (lbs/acre)	P (lbs/acre)	K (lbs/acre)	Salt (lbs/acre)	Amount
WWS	Process wastewater	67.00	11.96	105.34	683.85	900,000.00 *gal*
IW	Ground water	8.34	0.00	0.00	96.77	1,296,000.00 *gal*
Application event totals		75.34	11.96	105.34	780.62	

EK7 - 10/28/2022: Wheat, silage, soft dough

Application date	Application method	Precipitation 24 hours prior	Precipitation during application	Precipitation 24 hours following
04/06/2023	Surface (irrigation)	No precipitation	No precipitation	No precipitation

Source description	Material type	N (lbs/acre)	P (lbs/acre)	K (lbs/acre)	Salt (lbs/acre)	Amount
WWS	Process wastewater	70.66	9.19	132.42	1,087.05	1,125,000.00 *gal*
TID Lateral 4	Surface water	0.00	0.00	0.00	34.69	6,075,000.00 *gal*
Application event totals		70.66	9.19	132.42	1,121.73	

EK7 - 05/25/2023: Corn, silage

Field name: EK7

Crop: Corn, silage

Plant date: 05/25/2023

Application date	Application method	Precipitation 24 hours prior	Precipitation during application	Precipitation 24 hours following
05/15/2023	Surface (irrigation)	No precipitation	No precipitation	No precipitation

Source description	Material type	N (lbs/acre)	P (lbs/acre)	K (lbs/acre)	Salt (lbs/acre)	Amount
WWS	Process wastewater	87.14	11.33	163.32	1,340.69	1,387,500.00 *gal*
TID Lateral 4	Surface water	0.00	0.00	0.00	42.78	7,492,500.00 *gal*
Application event totals		87.14	11.33	163.32	1,383.47	

06/28/2023	Surface (irrigation)	No precipitation	No precipitation	No precipitation

Source description	Material type	N (lbs/acre)	P (lbs/acre)	K (lbs/acre)	Salt (lbs/acre)	Amount
TID Lateral 4	Surface water	0.00	0.00	0.00	40.47	7,087,500.00 *gal*
Application event totals		0.00	0.00	0.00	40.47	

07/09/2023	Surface (irrigation)	No precipitation	No precipitation	No precipitation

Source description	Material type	N (lbs/acre)	P (lbs/acre)	K (lbs/acre)	Salt (lbs/acre)	Amount
WWS	Process wastewater	36.12	4.14	63.84	599.19	1,275,000.00 *gal*
TID Lateral 4	Surface water	0.00	0.00	0.00	39.31	6,885,000.00 *gal*
Application event totals		36.12	4.14	63.84	638.50	

EK7 - 05/25/2023: Corn, silage

Application date	Application method	Precipitation 24 hours prior	Precipitation during application	Precipitation 24 hours following
07/20/2023	Surface (irrigation)	No precipitation	No precipitation	No precipitation

Source description	Material type	N (lbs/acre)	P (lbs/acre)	K (lbs/acre)	Salt (lbs/acre)	Amount
WWS	Process wastewater	36.12	4.14	63.84	599.19	1,275,000.00 *gal*
TID Lateral 4	Surface water	0.00	0.00	0.00	39.31	6,885,000.00 *gal*
Application event totals		36.12	4.14	63.84	638.50	

Application date	Application method	Precipitation 24 hours prior	Precipitation during application	Precipitation 24 hours following
07/31/2023	Surface (irrigation)	No precipitation	No precipitation	No precipitation

Source description	Material type	N (lbs/acre)	P (lbs/acre)	K (lbs/acre)	Salt (lbs/acre)	Amount
WWS	Process wastewater	35.06	4.02	61.96	581.57	1,237,500.00 *gal*
TID Lateral 4	Surface water	0.00	0.00	0.00	38.16	6,682,500.00 *gal*
Application event totals		35.06	4.02	61.96	619.72	

Application date	Application method	Precipitation 24 hours prior	Precipitation during application	Precipitation 24 hours following
08/11/2023	Surface (irrigation)	No precipitation	No precipitation	No precipitation

Source description	Material type	N (lbs/acre)	P (lbs/acre)	K (lbs/acre)	Salt (lbs/acre)	Amount
WWS	Process wastewater	33.99	3.90	60.08	563.95	1,200,000.00 *gal*
TID Lateral 4	Surface water	0.00	0.00	0.00	37.00	6,480,000.00 *gal*
Application event totals		33.99	3.90	60.08	600.95	

Application date	Application method	Precipitation 24 hours prior	Precipitation during application	Precipitation 24 hours following
08/22/2023	Surface (irrigation)	No precipitation	No precipitation	No precipitation

Source description	Material type	N (lbs/acre)	P (lbs/acre)	K (lbs/acre)	Salt (lbs/acre)	Amount
TID Lateral 4	Surface water	0.00	0.00	0.00	37.00	6,480,000.00 *gal*
Application event totals		0.00	0.00	0.00	37.00	

Kathy's - 11/17/2017: Alfalfa, hay

Field name: Kathy's

Crop: Alfalfa, hay

Plant date: 11/17/2017

Application date	Application method	Precipitation 24 hours prior	Precipitation during application	Precipitation 24 hours following

Kathy's - 11/17/2017: Alfalfa, hay

Application date	Application method	Precipitation 24 hours prior	Precipitation during application	Precipitation 24 hours following
04/21/2023	Surface (irrigation)	No precipitation	No precipitation	No precipitation

Source description	Material type	N (lbs/acre)	P (lbs/acre)	K (lbs/acre)	Salt (lbs/acre)	Amount
TID Lateral 4	Surface water	0.00	0.00	0.00	40.68	27,000,000.00 *gal*
Application event totals		0.00	0.00	0.00	40.68	

Application date	Application method	Precipitation 24 hours prior	Precipitation during application	Precipitation 24 hours following
05/16/2023	Surface (irrigation)	No precipitation	No precipitation	No precipitation

Source description	Material type	N (lbs/acre)	P (lbs/acre)	K (lbs/acre)	Salt (lbs/acre)	Amount
TID Lateral 4	Surface water	0.00	0.00	0.00	39.05	25,920,000.00 *gal*
Application event totals		0.00	0.00	0.00	39.05	

Application date	Application method	Precipitation 24 hours prior	Precipitation during application	Precipitation 24 hours following
06/11/2023	Surface (irrigation)	No precipitation	No precipitation	No precipitation

Source description	Material type	N (lbs/acre)	P (lbs/acre)	K (lbs/acre)	Salt (lbs/acre)	Amount
TID Lateral 4	Surface water	0.00	0.00	0.00	39.05	25,920,000.00 *gal*
Application event totals		0.00	0.00	0.00	39.05	

Application date	Application method	Precipitation 24 hours prior	Precipitation during application	Precipitation 24 hours following
07/06/2023	Surface (irrigation)	No precipitation	No precipitation	No precipitation

Source description	Material type	N (lbs/acre)	P (lbs/acre)	K (lbs/acre)	Salt (lbs/acre)	Amount
TID Lateral 4	Surface water	0.00	0.00	0.00	39.05	25,920,000.00 *gal*
Application event totals		0.00	0.00	0.00	39.05	

Application date	Application method	Precipitation 24 hours prior	Precipitation during application	Precipitation 24 hours following
07/31/2023	Surface (irrigation)	No precipitation	No precipitation	No precipitation

Source description	Material type	N (lbs/acre)	P (lbs/acre)	K (lbs/acre)	Salt (lbs/acre)	Amount
TID Lateral 4	Surface water	0.00	0.00	0.00	38.24	25,380,000.00 *gal*
Application event totals		0.00	0.00	0.00	38.24	

Application date	Application method	Precipitation 24 hours prior	Precipitation during application	Precipitation 24 hours following
08/25/2023	Surface (irrigation)	No precipitation	No precipitation	No precipitation

Source description	Material type	N (lbs/acre)	P (lbs/acre)	K (lbs/acre)	Salt (lbs/acre)	Amount
TID Lateral 4	Surface water	0.00	0.00	0.00	37.43	24,840,000.00 *gal*
Application event totals		0.00	0.00	0.00	37.43	

Kathy's - 11/17/2017: Alfalfa, hay

Application date	Application method	Precipitation 24 hours prior	Precipitation during application	Precipitation 24 hours following
09/20/2023	Surface (irrigation)	No precipitation	No precipitation	No precipitation

Source description	Material type	N (lbs/acre)	P (lbs/acre)	K (lbs/acre)	Salt (lbs/acre)	Amount
TID Lateral 4	Surface water	0.00	0.00	0.00	36.61	24,300,000.00 *gal*
Application event totals		0.00	0.00	0.00	36.61	

Application date	Application method	Precipitation 24 hours prior	Precipitation during application	Precipitation 24 hours following
10/15/2023	Surface (irrigation)	No precipitation	No precipitation	No precipitation

Source description	Material type	N (lbs/acre)	P (lbs/acre)	K (lbs/acre)	Salt (lbs/acre)	Amount
TID Lateral 4	Surface water	0.00	0.00	0.00	35.80	23,760,000.00 *gal*
Application event totals		0.00	0.00	0.00	35.80	

Keith's - 10/30/2022: Wheat, silage, soft dough

Field name: Keith's

Crop: Wheat, silage, soft dough

Plant date: 10/30/2022

Application date	Application method	Precipitation 24 hours prior	Precipitation during application	Precipitation 24 hours following
10/04/2022	Broadcast/incorporate	No precipitation	No precipitation	No precipitation

Source description	Material type	N (lbs/acre)	P (lbs/acre)	K (lbs/acre)	Salt (lbs/acre)	Amount
Corral Manure	Corral solids	195.26	451.21	349.95	2,510.48	540.00 *ton*
Application event totals		195.26	451.21	349.95	2,510.48	

Application date	Application method	Precipitation 24 hours prior	Precipitation during application	Precipitation 24 hours following
10/11/2022	Surface (irrigation)	No precipitation	No precipitation	No precipitation

Source description	Material type	N (lbs/acre)	P (lbs/acre)	K (lbs/acre)	Salt (lbs/acre)	Amount
TID Lateral 4	Surface water	0.00	0.00	0.00	0.00	12,960,000.00 *gal*
Application event totals		0.00	0.00	0.00	0.00	

Application date	Application method	Precipitation 24 hours prior	Precipitation during application	Precipitation 24 hours following
04/08/2023	Surface (irrigation)	No precipitation	No precipitation	No precipitation

Source description	Material type	N (lbs/acre)	P (lbs/acre)	K (lbs/acre)	Salt (lbs/acre)	Amount
TID Lateral 4	Surface water	0.00	0.00	0.00	37.49	12,960,000.00 *gal*
Application event totals		0.00	0.00	0.00	37.49	

Keith's - 05/27/2023: Corn, silage

Field name: Keith's

Crop: Corn, silage

Plant date: 05/27/2023

Application date	Application method	Precipitation 24 hours prior	Precipitation during application	Precipitation 24 hours following
05/07/2023	Broadcast/incorporate	No precipitation	No precipitation	No precipitation

Source description	Material type	N (lbs/acre)	P (lbs/acre)	K (lbs/acre)	Salt (lbs/acre)	Amount
Corral Manure	Corral solids	268.55	91.20	382.89	7,923.62	650.00 *ton*
Application event totals		268.55	91.20	382.89	7,923.62	

Application date	Application method	Precipitation 24 hours prior	Precipitation during application	Precipitation 24 hours following
05/16/2023	Surface (irrigation)	No precipitation	No precipitation	No precipitation

Source description	Material type	N (lbs/acre)	P (lbs/acre)	K (lbs/acre)	Salt (lbs/acre)	Amount
TID Lateral 4	Surface water	0.00	0.00	0.00	39.05	13,500,000.00 *gal*
Application event totals		0.00	0.00	0.00	39.05	

Application date	Application method	Precipitation 24 hours prior	Precipitation during application	Precipitation 24 hours following
06/30/2023	Surface (irrigation)	No precipitation	No precipitation	No precipitation

Source description	Material type	N (lbs/acre)	P (lbs/acre)	K (lbs/acre)	Salt (lbs/acre)	Amount
TID Lateral 4	Surface water	0.00	0.00	0.00	37.49	12,960,000.00 *gal*
Application event totals		0.00	0.00	0.00	37.49	

Application date	Application method	Precipitation 24 hours prior	Precipitation during application	Precipitation 24 hours following
07/14/2023	Surface (irrigation)	No precipitation	No precipitation	No precipitation

Source description	Material type	N (lbs/acre)	P (lbs/acre)	K (lbs/acre)	Salt (lbs/acre)	Amount
TID Lateral 4	Surface water	0.00	0.00	0.00	37.49	12,960,000.00 *gal*
Application event totals		0.00	0.00	0.00	37.49	

Application date	Application method	Precipitation 24 hours prior	Precipitation during application	Precipitation 24 hours following
07/27/2023	Surface (irrigation)	No precipitation	No precipitation	No precipitation

Source description	Material type	N (lbs/acre)	P (lbs/acre)	K (lbs/acre)	Salt (lbs/acre)	Amount
TID Lateral 4	Surface water	0.00	0.00	0.00	37.49	12,960,000.00 *gal*
Application event totals		0.00	0.00	0.00	37.49	

Application date	Application method	Precipitation 24 hours prior	Precipitation during application	Precipitation 24 hours following
08/08/2023	Surface (irrigation)	No precipitation	No precipitation	No precipitation

Source description	Material type	N (lbs/acre)	P (lbs/acre)	K (lbs/acre)	Salt (lbs/acre)	Amount
TID Lateral 4	Surface water	0.00	0.00	0.00	35.93	12,420,000.00 *gal*
Application event totals		0.00	0.00	0.00	35.93	

Keith's - 05/27/2023: Corn, silage

Application date	Application method	Precipitation 24 hours prior	Precipitation during application	Precipitation 24 hours following
08/19/2023	Surface (irrigation)	No precipitation	No precipitation	No precipitation

Source description	Material type	N (lbs/acre)	P (lbs/acre)	K (lbs/acre)	Salt (lbs/acre)	Amount
TID Lateral 4	Surface water	0.00	0.00	0.00	34.37	11,880,000.00 *gal*
Application event totals		0.00	0.00	0.00	34.37	

Morgan - 10/30/2022: Wheat, silage, soft dough

Field name: Morgan

Crop: Wheat, silage, soft dough

Plant date: 10/30/2022

Application date	Application method	Precipitation 24 hours prior	Precipitation during application	Precipitation 24 hours following
10/04/2022	Broadcast/incorporate	No precipitation	No precipitation	No precipitation

Source description	Material type	N (lbs/acre)	P (lbs/acre)	K (lbs/acre)	Salt (lbs/acre)	Amount
Corral Manure	Corral solids	197.90	457.31	354.67	2,544.41	540.00 *ton*
Application event totals		197.90	457.31	354.67	2,544.41	

04/07/2023	Surface (irrigation)	No precipitation	No precipitation	No precipitation

Source description	Material type	N (lbs/acre)	P (lbs/acre)	K (lbs/acre)	Salt (lbs/acre)	Amount
TID Lateral 4	Surface water	0.00	0.00	0.00	0.00	12,960,000.00 *gal*
Application event totals		0.00	0.00	0.00	0.00	

10/10/2023	Surface (irrigation)	No precipitation	No precipitation	No precipitation

Source description	Material type	N (lbs/acre)	P (lbs/acre)	K (lbs/acre)	Salt (lbs/acre)	Amount
TID Lateral 4	Surface water	0.00	0.00	0.00	36.42	12,420,000.00 *gal*
Application event totals		0.00	0.00	0.00	36.42	

Morgan - 05/27/2023: Corn, silage

Field name: Morgan

Crop: Corn, silage

Plant date: 05/27/2023

Morgan - 05/27/2023: Corn, silage

Application date	Application method	Precipitation 24 hours prior	Precipitation during application	Precipitation 24 hours following
07/01/2021	Surface (irrigation)	No precipitation	No precipitation	No precipitation

Source description	Material type	N (lbs/acre)	P (lbs/acre)	K (lbs/acre)	Salt (lbs/acre)	Amount
TID Lateral 4	Surface water	0.00	0.00	0.00	39.58	13,500,000.00 *gal*
Application event totals		0.00	0.00	0.00	39.58	

Application date	Application method	Precipitation 24 hours prior	Precipitation during application	Precipitation 24 hours following
05/07/2023	Broadcast/incorporate	No precipitation	No precipitation	No precipitation

Source description	Material type	N (lbs/acre)	P (lbs/acre)	K (lbs/acre)	Salt (lbs/acre)	Amount
Corral Manure	Corral solids	267.99	91.01	382.09	7,907.15	640.00 *ton*
Application event totals		267.99	91.01	382.09	7,907.15	

Application date	Application method	Precipitation 24 hours prior	Precipitation during application	Precipitation 24 hours following
05/17/2023	Surface (irrigation)	No precipitation	No precipitation	No precipitation

Source description	Material type	N (lbs/acre)	P (lbs/acre)	K (lbs/acre)	Salt (lbs/acre)	Amount
TID Lateral 4	Surface water	0.00	0.00	0.00	38.00	12,960,000.00 *gal*
Application event totals		0.00	0.00	0.00	38.00	

Application date	Application method	Precipitation 24 hours prior	Precipitation during application	Precipitation 24 hours following
07/15/2023	Surface (irrigation)	No precipitation	No precipitation	No precipitation

Source description	Material type	N (lbs/acre)	P (lbs/acre)	K (lbs/acre)	Salt (lbs/acre)	Amount
TID Lateral 4	Surface water	0.00	0.00	0.00	38.00	12,960,000.00 *gal*
Application event totals		0.00	0.00	0.00	38.00	

Application date	Application method	Precipitation 24 hours prior	Precipitation during application	Precipitation 24 hours following
07/28/2023	Surface (irrigation)	No precipitation	No precipitation	No precipitation

Source description	Material type	N (lbs/acre)	P (lbs/acre)	K (lbs/acre)	Salt (lbs/acre)	Amount
TID Lateral 4	Surface water	0.00	0.00	0.00	36.42	12,420,000.00 *gal*
Application event totals		0.00	0.00	0.00	36.42	

Application date	Application method	Precipitation 24 hours prior	Precipitation during application	Precipitation 24 hours following
08/09/2023	Surface (irrigation)	No precipitation	No precipitation	No precipitation

Source description	Material type	N (lbs/acre)	P (lbs/acre)	K (lbs/acre)	Salt (lbs/acre)	Amount
TID Lateral 4	Surface water	0.00	0.00	0.00	34.83	11,880,000.00 *gal*
Application event totals		0.00	0.00	0.00	34.83	

Morgan - 05/27/2023: Corn, silage

Application date	Application method	Precipitation 24 hours prior	Precipitation during application	Precipitation 24 hours following
08/20/2023	Surface (irrigation)	No precipitation	No precipitation	No precipitation

Source description	Material type	N (lbs/acre)	P (lbs/acre)	K (lbs/acre)	Salt (lbs/acre)	Amount
TID Lateral 4	Surface water	0.00	0.00	0.00	34.83	11,880,000.00 *gal*
Application event totals		0.00	0.00	0.00	34.83	

Pasture - 10/30/2022: Wheat, silage, soft dough

Field name: Pasture

Crop: Wheat, silage, soft dough

Plant date: 10/30/2022

Application date	Application method	Precipitation 24 hours prior	Precipitation during application	Precipitation 24 hours following
10/04/2022	Broadcast/incorporate	No precipitation	No precipitation	No precipitation

Source description	Material type	N (lbs/acre)	P (lbs/acre)	K (lbs/acre)	Salt (lbs/acre)	Amount
Corral Manure	Corral solids	196.62	454.34	352.38	2,527.92	290.00 *ton*
Application event totals		196.62	454.34	352.38	2,527.92	

10/11/2022	Surface (irrigation)	No precipitation	No precipitation	No precipitation

Source description	Material type	N (lbs/acre)	P (lbs/acre)	K (lbs/acre)	Salt (lbs/acre)	Amount
TID Lateral 4	Surface water	0.00	0.00	0.00	0.00	7,290,000.00 *gal*
Application event totals		0.00	0.00	0.00	0.00	

04/08/2023	Surface (irrigation)	No precipitation	No precipitation	No precipitation

Source description	Material type	N (lbs/acre)	P (lbs/acre)	K (lbs/acre)	Salt (lbs/acre)	Amount
TID Lateral 4	Surface water	0.00	0.00	0.00	35.15	6,480,000.00 *gal*
Application event totals		0.00	0.00	0.00	35.15	

Pasture - 05/27/2023: Corn, silage

Field name: Pasture

Crop: Corn, silage

Plant date: 05/27/2023

Pasture - 05/27/2023: Corn, silage

Application date	Application method	Precipitation 24 hours prior	Precipitation during application	Precipitation 24 hours following
05/07/2023	Broadcast/incorporate	No precipitation	No precipitation	No precipitation

Source description	Material type	N (lbs/acre)	P (lbs/acre)	K (lbs/acre)	Salt (lbs/acre)	Amount
Corral Manure	Corral solids	263.39	89.45	375.52	7,771.24	340.00 *ton*
Application event totals		263.39	89.45	375.52	7,771.24	

05/17/2023	Surface (irrigation)	No precipitation	No precipitation	No precipitation

Source description	Material type	N (lbs/acre)	P (lbs/acre)	K (lbs/acre)	Salt (lbs/acre)	Amount
TID Lateral 4	Surface water	0.00	0.00	0.00	39.54	7,290,000.00 *gal*
Application event totals		0.00	0.00	0.00	39.54	

06/30/2023	Surface (irrigation)	No precipitation	No precipitation	No precipitation

Source description	Material type	N (lbs/acre)	P (lbs/acre)	K (lbs/acre)	Salt (lbs/acre)	Amount
TID Lateral 4	Surface water	0.00	0.00	0.00	35.15	6,480,000.00 *gal*
Application event totals		0.00	0.00	0.00	35.15	

07/14/2023	Surface (irrigation)	No precipitation	No precipitation	No precipitation

Source description	Material type	N (lbs/acre)	P (lbs/acre)	K (lbs/acre)	Salt (lbs/acre)	Amount
TID Lateral 4	Surface water	0.00	0.00	0.00	35.15	6,480,000.00 *gal*
Application event totals		0.00	0.00	0.00	35.15	

07/27/2023	Surface (irrigation)	No precipitation	No precipitation	No precipitation

Source description	Material type	N (lbs/acre)	P (lbs/acre)	K (lbs/acre)	Salt (lbs/acre)	Amount
TID Lateral 4	Surface water	0.00	0.00	0.00	32.95	6,075,000.00 *gal*
Application event totals		0.00	0.00	0.00	32.95	

08/08/2023	Surface (irrigation)	No precipitation	No precipitation	No precipitation

Source description	Material type	N (lbs/acre)	P (lbs/acre)	K (lbs/acre)	Salt (lbs/acre)	Amount
TID Lateral 4	Surface water	0.00	0.00	0.00	30.76	5,670,000.00 *gal*
Application event totals		0.00	0.00	0.00	30.76	

Pasture - 05/27/2023: Corn, silage

Application date	Application method	Precipitation 24 hours prior	Precipitation during application	Precipitation 24 hours following
08/19/2023	Surface (irrigation)	No precipitation	No precipitation	No precipitation

Source description	Material type	N (lbs/acre)	P (lbs/acre)	K (lbs/acre)	Salt (lbs/acre)	Amount
TID Lateral 4	Surface water	0.00	0.00	0.00	30.76	5,670,000.00 *gal*
Application event totals		0.00	0.00	0.00	30.76	

B. NUTRIENT BUDGET

Dicks - 11/19/2017: Alfalfa, hay

Field name: Dicks Crop: Alfalfa, hay Plant date: 11/19/2017

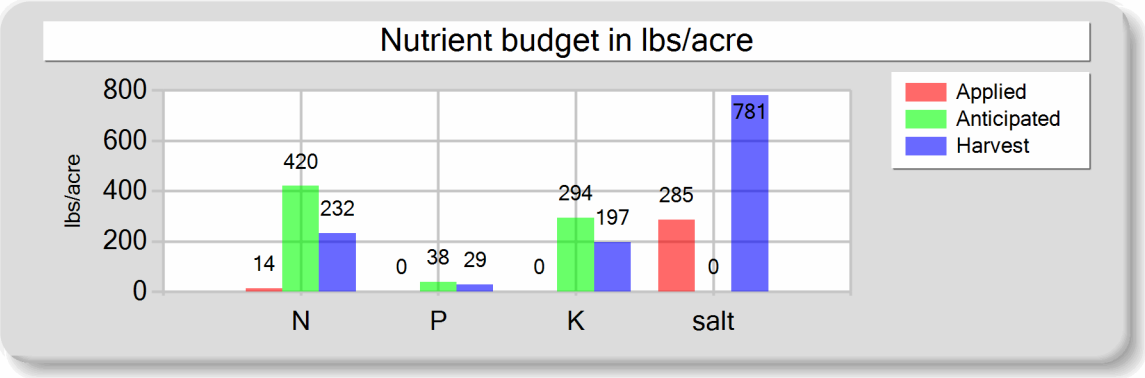

	Total N (lbs/acre)	Total P (lbs/acre)	Total K (lbs/acre)	Total salt (lbs/acre)
Existing soil nutrient content	0.00	0.00	0.00	0.00
Plowdown credit	0.00	0.00	0.00	0.00
Commercial fertilizer / Other	0.00	0.00	0.00	0.00
Dry manure	0.00	0.00	0.00	0.00
Process wastewater	0.00	0.00	0.00	0.00
Fresh water	0.00	0.00	0.00	285.10
Atmospheric deposition	14.00	0.00	0.00	0.00
Total nutrients applied	14.00	0.00	0.00	285.10
Anticipated crop nutrient removal	420.00	37.80	294.00	0.00
Actual crop nutrient removal	232.30	28.75	196.65	781.11
Nutrient balance	-218.30	-28.75	-196.65	-496.01
Applied to removed ratio	0.06	0.00	0.00	0.36

Fresh water applied	
78,840,000.00	*gallons*
2,903.41	*acre-inches*
48.39	*inches/acre*

Process wastewater applied	
0.00	*gallons*
0.00	*acre-inches*
0.00	*inches/acre*

Total harvests for the crop	
1	*harvests*

EK1 - 10/28/2022: Wheat, silage, soft dough

Field name: EK1 Crop: Wheat, silage, soft dough Plant date: 10/28/2022

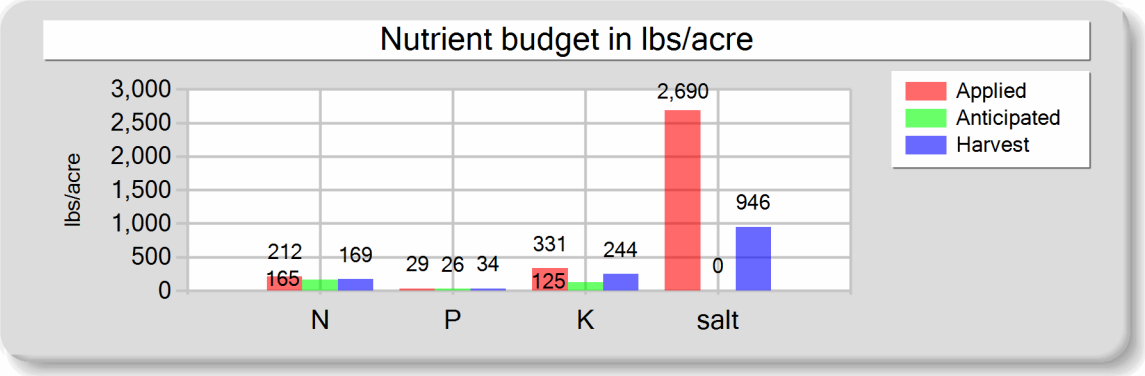

	Total N (lbs/acre)	Total P (lbs/acre)	Total K (lbs/acre)	Total salt (lbs/acre)
Existing soil nutrient content	0.00	0.00	0.00	0.00
Plowdown credit	0.00	0.00	0.00	0.00
Commercial fertilizer / Other	0.00	0.00	0.00	0.00
Dry manure	0.00	0.00	0.00	0.00
Process wastewater	197.37	29.38	331.14	2,563.20
Fresh water	8.13	0.00	0.00	126.39
Atmospheric deposition	7.00	0.00	0.00	0.00
Total nutrients applied	212.49	29.38	331.14	2,689.59
Anticipated crop nutrient removal	165.00	25.50	124.50	0.00
Actual crop nutrient removal	168.72	33.67	244.49	945.81
Nutrient balance	43.77	-4.30	86.65	1,743.78
Applied to removed ratio	1.26	0.87	1.35	2.84

Fresh water applied	
8,761,500.00	*gallons*
322.66	*acre-inches*
12.41	*inches/acre*

Process wastewater applied	
2,062,500.00	*gallons*
75.95	*acre-inches*
2.92	*inches/acre*

Total harvests for the crop	
1	*harvests*

EK1 - 05/24/2023: Corn, silage

Field name: EK1 Crop: Corn, silage Plant date: 05/24/2023

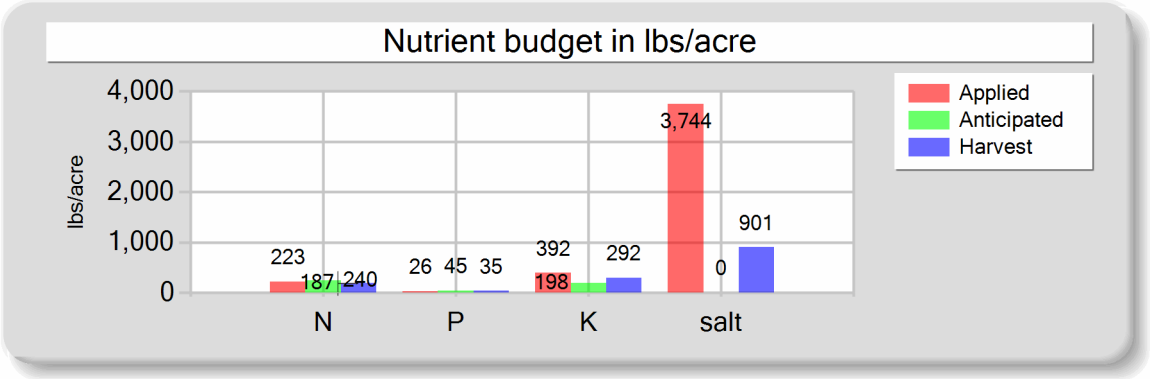

	Total N (lbs/acre)	Total P (lbs/acre)	Total K (lbs/acre)	Total salt (lbs/acre)
Existing soil nutrient content	0.00	0.00	0.00	0.00
Plowdown credit	0.00	0.00	0.00	0.00
Commercial fertilizer / Other	0.00	0.00	0.00	0.00
Dry manure	0.00	0.00	0.00	0.00
Process wastewater	216.48	26.16	391.80	3,487.57
Fresh water	0.00	0.00	0.00	256.86
Atmospheric deposition	7.00	0.00	0.00	0.00
Total nutrients applied	223.48	26.16	391.80	3,744.43
Anticipated crop nutrient removal	240.00	45.00	198.00	0.00
Actual crop nutrient removal	186.93	34.55	292.42	900.92
Nutrient balance	36.55	-8.39	99.38	2,843.51
Applied to removed ratio	1.20	0.76	1.34	4.16

Fresh water applied	
30,780,000.00	*gallons*
1,133.52	*acre-inches*
43.60	*inches/acre*

Process wastewater applied	
4,087,500.00	*gallons*
150.53	*acre-inches*
5.79	*inches/acre*

Total harvests for the crop	
1	*harvests*

EK2 - 10/28/2022: Wheat, silage, soft dough

Field name: EK2 Crop: Wheat, silage, soft dough Plant date: 10/28/2022

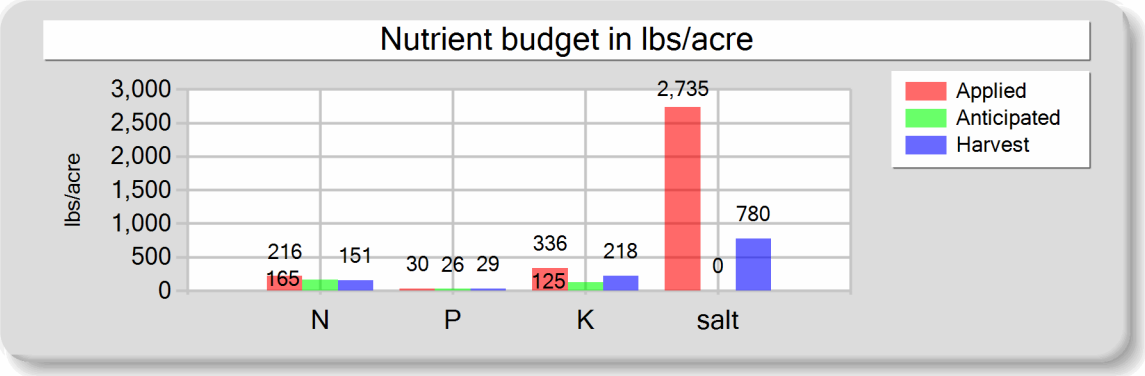

	Total N (lbs/acre)	Total P (lbs/acre)	Total K (lbs/acre)	Total salt (lbs/acre)
Existing soil nutrient content	0.00	0.00	0.00	0.00
Plowdown credit	0.00	0.00	0.00	0.00
Commercial fertilizer / Other	0.00	0.00	0.00	0.00
Dry manure	0.00	0.00	0.00	0.00
Process wastewater	200.67	29.84	336.05	2,604.92
Fresh water	8.13	0.00	0.00	130.34
Atmospheric deposition	7.00	0.00	0.00	0.00
Total nutrients applied	215.79	29.84	336.05	2,735.26
Anticipated crop nutrient removal	165.00	25.50	124.50	0.00
Actual crop nutrient removal	150.96	29.33	217.95	779.57
Nutrient balance	64.83	0.51	118.09	1,955.69
Applied to removed ratio	1.43	1.02	1.54	3.51

Fresh water applied	
14,256,000.00	*gallons*
525.00	*acre-inches*
13.46	*inches/acre*

Process wastewater applied	
3,150,000.00	*gallons*
116.00	*acre-inches*
2.97	*inches/acre*

Total harvests for the crop	
1	*harvests*

EK2 - 05/24/2023: Corn, silage

Field name: EK2 Crop: Corn, silage Plant date: 05/24/2023

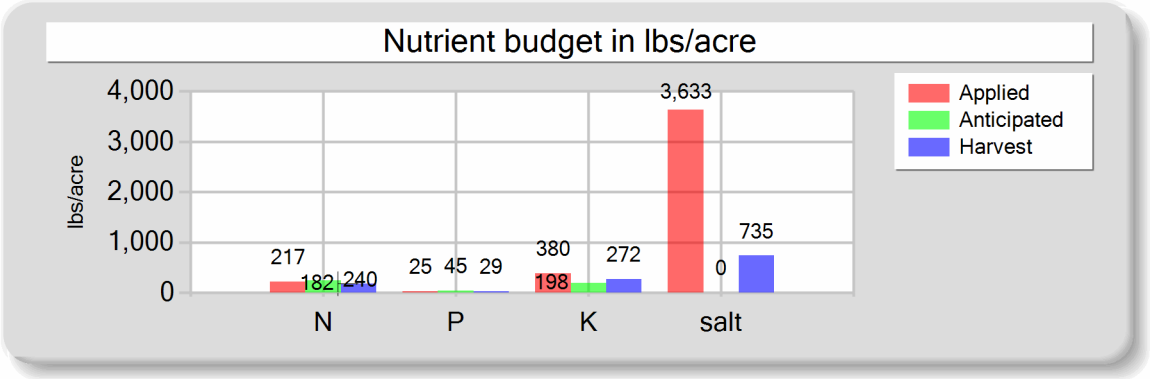

	Total N (lbs/acre)	Total P (lbs/acre)	Total K (lbs/acre)	Total salt (lbs/acre)
Existing soil nutrient content	0.00	0.00	0.00	0.00
Plowdown credit	0.00	0.00	0.00	0.00
Commercial fertilizer / Other	0.00	0.00	0.00	0.00
Dry manure	0.00	0.00	0.00	0.00
Process wastewater	209.93	25.35	379.86	3,383.10
Fresh water	0.00	0.00	0.00	250.10
Atmospheric deposition	7.00	0.00	0.00	0.00
Total nutrients applied	216.93	25.35	379.86	3,633.19
Anticipated crop nutrient removal	240.00	45.00	198.00	0.00
Actual crop nutrient removal	182.03	29.36	271.86	735.25
Nutrient balance	34.91	-4.01	107.99	2,897.94
Applied to removed ratio	1.19	0.86	1.40	4.94

Fresh water applied	
44,955,000.00	*gallons*
1,655.54	*acre-inches*
42.45	*inches/acre*

Process wastewater applied	
5,962,500.00	*gallons*
219.58	*acre-inches*
5.63	*inches/acre*

Total harvests for the crop	
1	*harvests*

EK3 - 10/28/2022: Wheat, silage, soft dough

Field name: EK3 Crop: Wheat, silage, soft dough Plant date: 10/28/2022

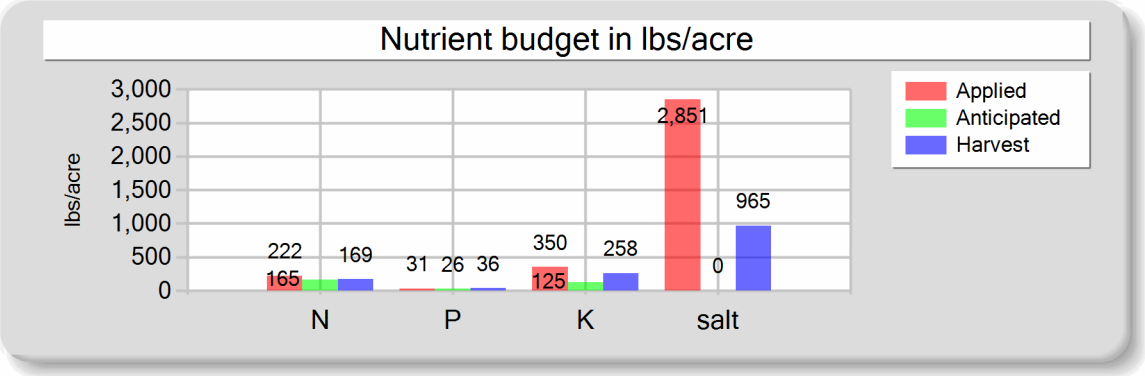

	Total N (lbs/acre)	Total P (lbs/acre)	Total K (lbs/acre)	Total salt (lbs/acre)
Existing soil nutrient content	0.00	0.00	0.00	0.00
Plowdown credit	0.00	0.00	0.00	0.00
Commercial fertilizer / Other	0.00	0.00	0.00	0.00
Dry manure	0.00	0.00	0.00	0.00
Process wastewater	207.50	30.59	349.64	2,724.40
Fresh water	7.77	0.00	0.00	126.31
Atmospheric deposition	7.00	0.00	0.00	0.00
Total nutrients applied	222.26	30.59	349.64	2,850.71
Anticipated crop nutrient removal	165.00	25.50	124.50	0.00
Actual crop nutrient removal	169.40	35.86	257.95	964.76
Nutrient balance	52.86	-5.26	91.70	1,885.95
Applied to removed ratio	1.31	0.85	1.36	2.95

Fresh water applied	
6,210,000.00	*gallons*
228.69	*acre-inches*
13.45	*inches/acre*

Process wastewater applied	
1,425,000.00	*gallons*
52.48	*acre-inches*
3.09	*inches/acre*

Total harvests for the crop	
1	*harvests*

EK3 - 05/24/2023: Corn, silage

Field name: EK3 Crop: Corn, silage Plant date: 05/24/2023

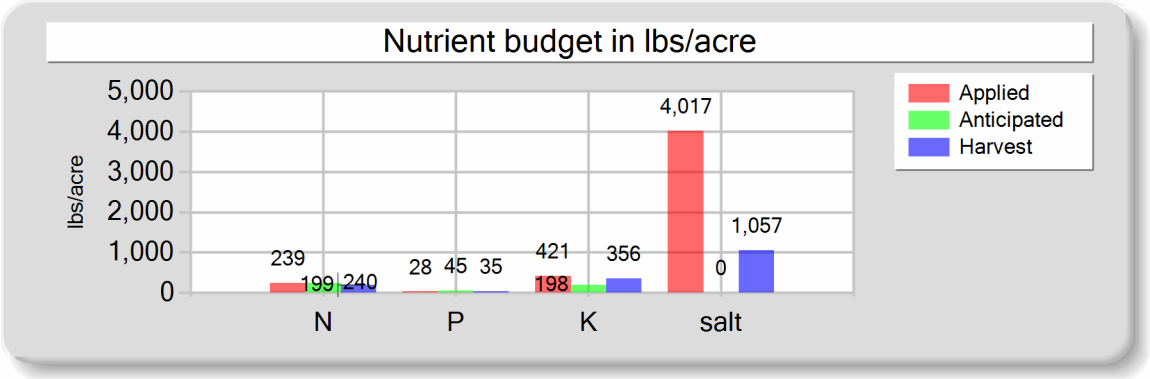

	Total N (lbs/acre)	Total P (lbs/acre)	Total K (lbs/acre)	Total salt (lbs/acre)
Existing soil nutrient content	0.00	0.00	0.00	0.00
Plowdown credit	0.00	0.00	0.00	0.00
Commercial fertilizer / Other	0.00	0.00	0.00	0.00
Dry manure	0.00	0.00	0.00	0.00
Process wastewater	232.49	28.13	421.03	3,742.73
Fresh water	0.00	0.00	0.00	273.96
Atmospheric deposition	7.00	0.00	0.00	0.00
Total nutrients applied	239.49	28.13	421.03	4,016.69
Anticipated crop nutrient removal	240.00	45.00	198.00	0.00
Actual crop nutrient removal	199.29	34.88	355.88	1,056.97
Nutrient balance	40.20	-6.75	65.15	2,959.72
Applied to removed ratio	1.20	0.81	1.18	3.80

Fresh water applied	
21,465,000.00	*gallons*
790.48	*acre-inches*
46.50	*inches/acre*

Process wastewater applied	
2,850,000.00	*gallons*
104.96	*acre-inches*
6.17	*inches/acre*

Total harvests for the crop	
1	*harvests*

EK4 - 10/28/2022: Wheat, silage, soft dough

Field name: EK4 Crop: Wheat, silage, soft dough Plant date: 10/28/2022

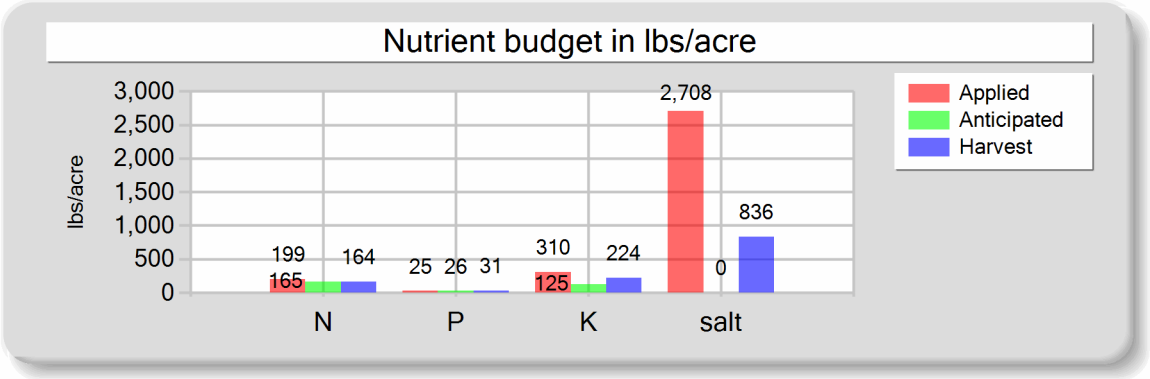

	Total N (lbs/acre)	Total P (lbs/acre)	Total K (lbs/acre)	Total salt (lbs/acre)
Existing soil nutrient content	0.00	0.00	0.00	0.00
Plowdown credit	0.00	0.00	0.00	0.00
Commercial fertilizer / Other	0.00	0.00	0.00	0.00
Dry manure	0.00	0.00	0.00	0.00
Process wastewater	184.01	24.93	310.18	2,584.86
Fresh water	7.92	0.00	0.00	122.68
Atmospheric deposition	7.00	0.00	0.00	0.00
Total nutrients applied	198.93	24.93	310.18	2,707.55
Anticipated crop nutrient removal	165.00	25.50	124.50	0.00
Actual crop nutrient removal	163.52	30.72	224.00	836.35
Nutrient balance	35.41	-5.79	86.18	1,871.20
Applied to removed ratio	1.22	0.81	1.38	3.24

Fresh water applied	
6,723,000.00	*gallons*
247.59	*acre-inches*
12.38	*inches/acre*

Process wastewater applied	
1,575,000.00	*gallons*
58.00	*acre-inches*
2.90	*inches/acre*

Total harvests for the crop	
1	*harvests*

EK4 - 05/24/2023: Corn, silage

Field name: EK4 Crop: Corn, silage Plant date: 05/24/2023

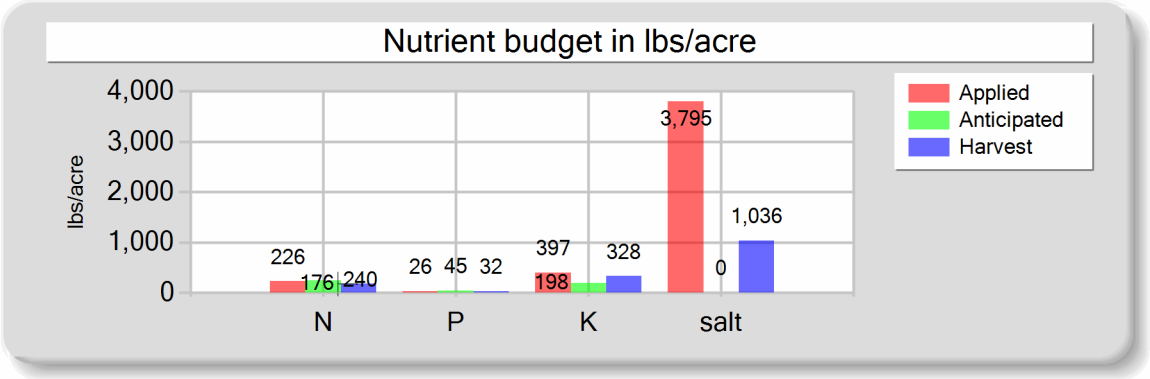

	Total N (lbs/acre)	Total P (lbs/acre)	Total K (lbs/acre)	Total salt (lbs/acre)
Existing soil nutrient content	0.00	0.00	0.00	0.00
Plowdown credit	0.00	0.00	0.00	0.00
Commercial fertilizer / Other	0.00	0.00	0.00	0.00
Dry manure	0.00	0.00	0.00	0.00
Process wastewater	219.25	26.46	396.59	3,534.79
Fresh water	0.00	0.00	0.00	260.32
Atmospheric deposition	7.00	0.00	0.00	0.00
Total nutrients applied	226.25	26.46	396.59	3,795.11
Anticipated crop nutrient removal	240.00	45.00	198.00	0.00
Actual crop nutrient removal	176.21	32.10	327.84	1,036.14
Nutrient balance	50.04	-5.64	68.75	2,758.97
Applied to removed ratio	1.28	0.82	1.21	3.66

Fresh water applied	
23,996,250.00	*gallons*
883.70	*acre-inches*
44.19	*inches/acre*

Process wastewater applied	
3,206,250.00	*gallons*
118.08	*acre-inches*
5.90	*inches/acre*

Total harvests for the crop	
1	*harvests*

EK5 - 10/28/2022: Wheat, silage, soft dough

Field name: EK5 Crop: Wheat, silage, soft dough Plant date: 10/28/2022

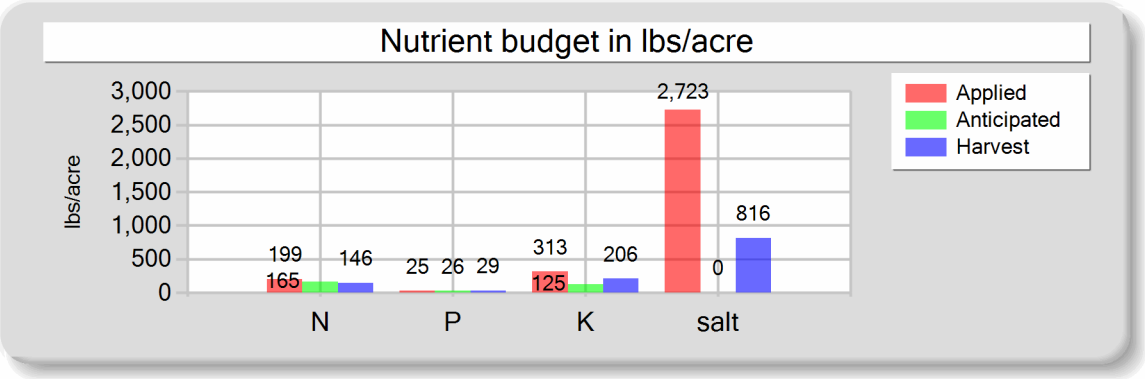

	Total N (lbs/acre)	Total P (lbs/acre)	Total K (lbs/acre)	Total salt (lbs/acre)
Existing soil nutrient content	0.00	0.00	0.00	0.00
Plowdown credit	0.00	0.00	0.00	0.00
Commercial fertilizer / Other	0.00	0.00	0.00	0.00
Dry manure	0.00	0.00	0.00	0.00
Process wastewater	184.87	25.01	313.01	2,606.68
Fresh water	7.14	0.00	0.00	116.07
Atmospheric deposition	7.00	0.00	0.00	0.00
Total nutrients applied	199.01	25.01	313.01	2,722.75
Anticipated crop nutrient removal	165.00	25.50	124.50	0.00
Actual crop nutrient removal	145.96	28.87	206.24	816.22
Nutrient balance	53.05	-3.87	106.76	1,906.54
Applied to removed ratio	1.36	0.87	1.52	3.34

Fresh water applied	
12,825,000.00	*gallons*
472.30	*acre-inches*
12.76	*inches/acre*

Process wastewater applied	
2,925,000.00	*gallons*
107.72	*acre-inches*
2.91	*inches/acre*

Total harvests for the crop	
1	*harvests*

EK5 - 05/24/2023: Corn, silage

Field name: EK5 Crop: Corn, silage Plant date: 05/24/2023

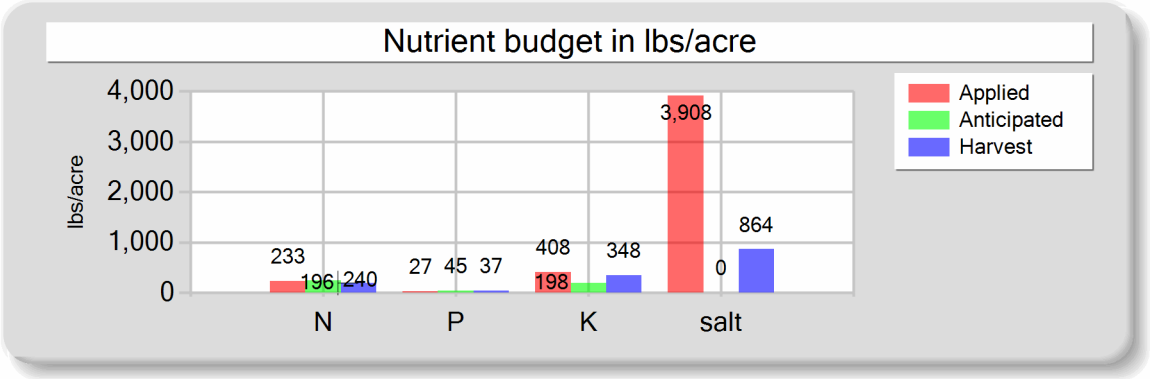

	Total N (lbs/acre)	Total P (lbs/acre)	Total K (lbs/acre)	Total salt (lbs/acre)
Existing soil nutrient content	0.00	0.00	0.00	0.00
Plowdown credit	0.00	0.00	0.00	0.00
Commercial fertilizer / Other	0.00	0.00	0.00	0.00
Dry manure	0.00	0.00	0.00	0.00
Process wastewater	225.64	27.22	408.10	3,638.36
Fresh water	0.00	0.00	0.00	269.56
Atmospheric deposition	7.00	0.00	0.00	0.00
Total nutrients applied	232.64	27.22	408.10	3,907.92
Anticipated crop nutrient removal	240.00	45.00	198.00	0.00
Actual crop nutrient removal	195.63	36.75	348.29	863.63
Nutrient balance	37.01	-9.53	59.81	3,044.29
Applied to removed ratio	1.19	0.74	1.17	4.52

Fresh water applied	
45,967,500.00	*gallons*
1,692.83	*acre-inches*
45.75	*inches/acre*

Process wastewater applied	
6,112,500.00	*gallons*
225.10	*acre-inches*
6.08	*inches/acre*

Total harvests for the crop	
1	*harvests*

EK6 - 10/28/2022: Wheat, silage, soft dough

Field name: EK6 Crop: Wheat, silage, soft dough Plant date: 10/28/2022

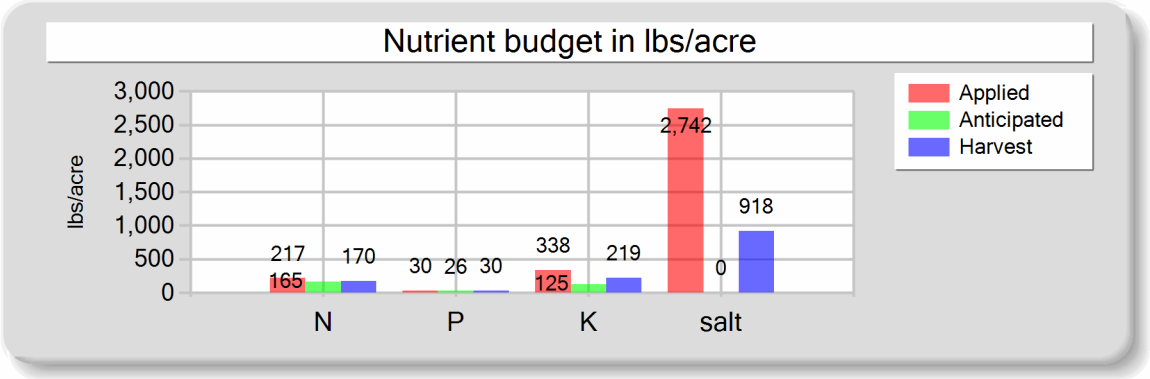

	Total N (lbs/acre)	Total P (lbs/acre)	Total K (lbs/acre)	Total salt (lbs/acre)
Existing soil nutrient content	0.00	0.00	0.00	0.00
Plowdown credit	0.00	0.00	0.00	0.00
Commercial fertilizer / Other	0.00	0.00	0.00	0.00
Dry manure	0.00	0.00	0.00	0.00
Process wastewater	201.38	30.00	337.64	2,612.53
Fresh water	8.34	0.00	0.00	129.14
Atmospheric deposition	7.00	0.00	0.00	0.00
Total nutrients applied	216.72	30.00	337.64	2,741.68
Anticipated crop nutrient removal	165.00	25.50	124.50	0.00
Actual crop nutrient removal	170.49	30.37	219.21	918.20
Nutrient balance	46.23	-0.37	118.44	1,823.47
Applied to removed ratio	1.27	0.99	1.54	2.99

Fresh water applied	
13,041,000.00	*gallons*
480.26	*acre-inches*
12.64	*inches/acre*

Process wastewater applied	
3,075,000.00	*gallons*
113.24	*acre-inches*
2.98	*inches/acre*

Total harvests for the crop	
1	*harvests*

EK6 - 05/25/2023: Corn, silage

Field name: EK6 Crop: Corn, silage Plant date: 05/25/2023

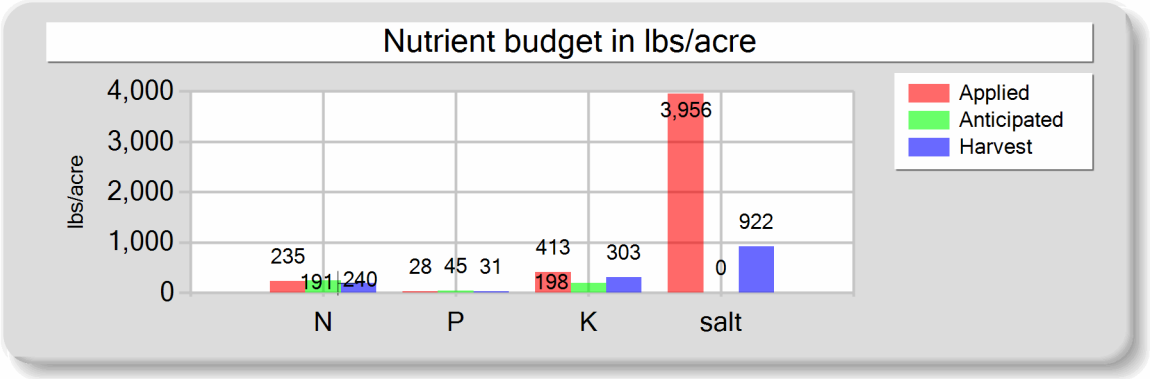

	Total N (lbs/acre)	Total P (lbs/acre)	Total K (lbs/acre)	Total salt (lbs/acre)
Existing soil nutrient content	0.00	0.00	0.00	0.00
Plowdown credit	0.00	0.00	0.00	0.00
Commercial fertilizer / Other	0.00	0.00	0.00	0.00
Dry manure	0.00	0.00	0.00	0.00
Process wastewater	228.44	27.55	413.04	3,684.59
Fresh water	0.00	0.00	0.00	271.71
Atmospheric deposition	7.00	0.00	0.00	0.00
Total nutrients applied	235.44	27.55	413.04	3,956.30
Anticipated crop nutrient removal	240.00	45.00	198.00	0.00
Actual crop nutrient removal	190.69	31.49	303.49	922.17
Nutrient balance	44.75	-3.95	109.55	3,034.14
Applied to removed ratio	1.23	0.87	1.36	4.29

Fresh water applied	
47,587,500.00	*gallons*
1,752.49	*acre-inches*
46.12	*inches/acre*

Process wastewater applied	
6,375,000.00	*gallons*
234.77	*acre-inches*
6.18	*inches/acre*

Total harvests for the crop	
1	*harvests*

EK7 - 10/28/2022: Wheat, silage, soft dough

Field name: EK7 Crop: Wheat, silage, soft dough Plant date: 10/28/2022

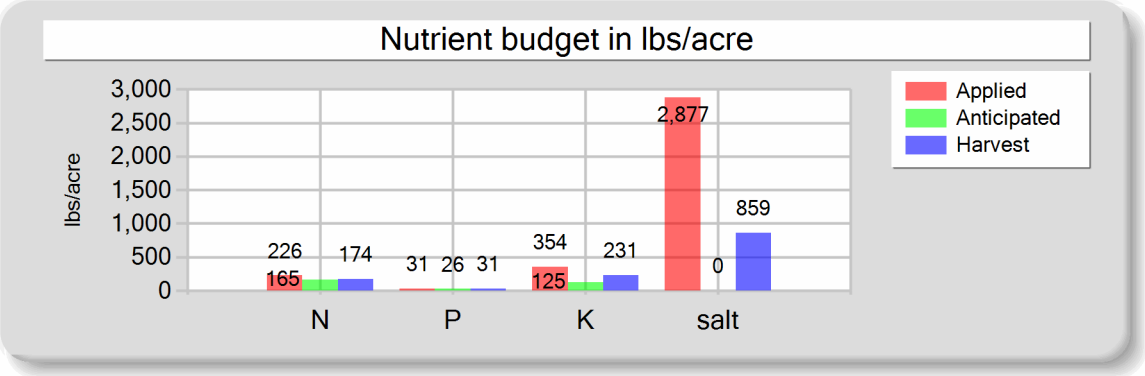

	Total N (lbs/acre)	Total P (lbs/acre)	Total K (lbs/acre)	Total salt (lbs/acre)
Existing soil nutrient content	0.00	0.00	0.00	0.00
Plowdown credit	0.00	0.00	0.00	0.00
Commercial fertilizer / Other	0.00	0.00	0.00	0.00
Dry manure	0.00	0.00	0.00	0.00
Process wastewater	210.66	31.24	353.72	2,745.94
Fresh water	8.34	0.00	0.00	131.45
Atmospheric deposition	7.00	0.00	0.00	0.00
Total nutrients applied	226.00	31.24	353.72	2,877.40
Anticipated crop nutrient removal	165.00	25.50	124.50	0.00
Actual crop nutrient removal	174.25	31.00	230.71	858.73
Nutrient balance	51.74	0.24	123.01	2,018.67
Applied to removed ratio	1.30	1.01	1.53	3.35

Fresh water applied	
13,851,000.00	*gallons*
510.09	*acre-inches*
13.42	*inches/acre*

Process wastewater applied	
3,225,000.00	*gallons*
118.77	*acre-inches*
3.13	*inches/acre*

Total harvests for the crop	
1	*harvests*

EK7 - 05/25/2023: Corn, silage

Field name: EK7 Crop: Corn, silage Plant date: 05/25/2023

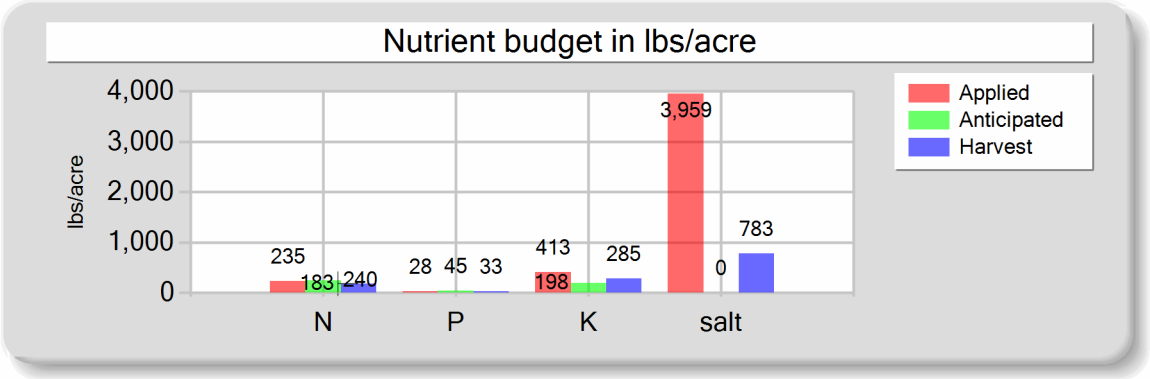

	Total N (lbs/acre)	Total P (lbs/acre)	Total K (lbs/acre)	Total salt (lbs/acre)
Existing soil nutrient content	0.00	0.00	0.00	0.00
Plowdown credit	0.00	0.00	0.00	0.00
Commercial fertilizer / Other	0.00	0.00	0.00	0.00
Dry manure	0.00	0.00	0.00	0.00
Process wastewater	228.44	27.55	413.04	3,684.59
Fresh water	0.00	0.00	0.00	274.02
Atmospheric deposition	7.00	0.00	0.00	0.00
Total nutrients applied	235.44	27.55	413.04	3,958.62
Anticipated crop nutrient removal	240.00	45.00	198.00	0.00
Actual crop nutrient removal	183.20	32.51	285.12	783.08
Nutrient balance	52.23	-4.97	127.92	3,175.54
Applied to removed ratio	1.29	0.85	1.45	5.06

Fresh water applied	
47,992,500.00	*gallons*
1,767.40	*acre-inches*
46.51	*inches/acre*

Process wastewater applied	
6,375,000.00	*gallons*
234.77	*acre-inches*
6.18	*inches/acre*

Total harvests for the crop	
1	*harvests*

Kathy's - 11/17/2017: Alfalfa, hay

Field name: Kathy's Crop: Alfalfa, hay Plant date: 11/17/2017

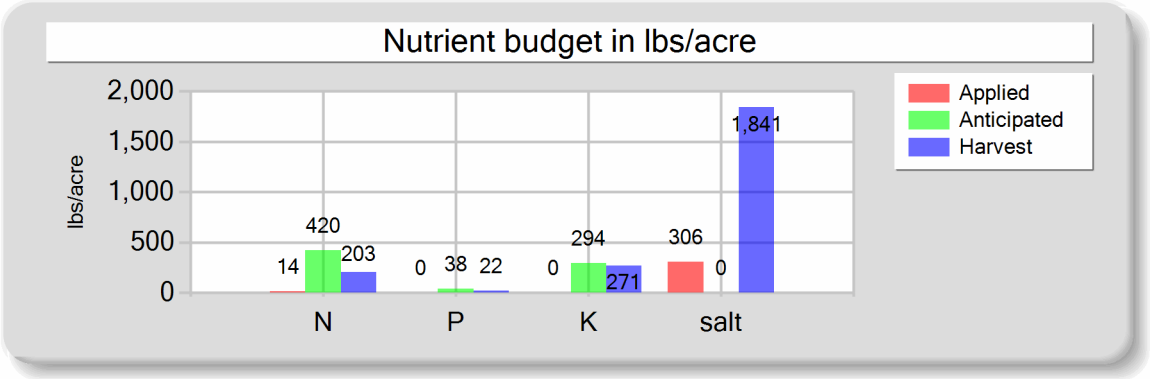

	Total N (lbs/acre)	Total P (lbs/acre)	Total K (lbs/acre)	Total salt (lbs/acre)
Existing soil nutrient content	0.00	0.00	0.00	0.00
Plowdown credit	0.00	0.00	0.00	0.00
Commercial fertilizer / Other	0.00	0.00	0.00	0.00
Dry manure	0.00	0.00	0.00	0.00
Process wastewater	0.00	0.00	0.00	0.00
Fresh water	0.00	0.00	0.00	305.93
Atmospheric deposition	14.00	0.00	0.00	0.00
Total nutrients applied	14.00	0.00	0.00	305.93
Anticipated crop nutrient removal	420.00	37.80	294.00	0.00
Actual crop nutrient removal	203.30	21.52	271.07	1,841.37
Nutrient balance	-189.30	-21.52	-271.07	-1,535.45
Applied to removed ratio	0.07	0.00	0.00	0.17

Fresh water applied	
203,040,000.00	*gallons*
7,477.27	*acre-inches*
51.93	*inches/acre*

Process wastewater applied	
0.00	*gallons*
0.00	*acre-inches*
0.00	*inches/acre*

Total harvests for the crop	
1	*harvests*

Keith's - 10/30/2022: Wheat, silage, soft dough

Field name: Keith's | Crop: Wheat, silage, soft dough | Plant date: 10/30/2022

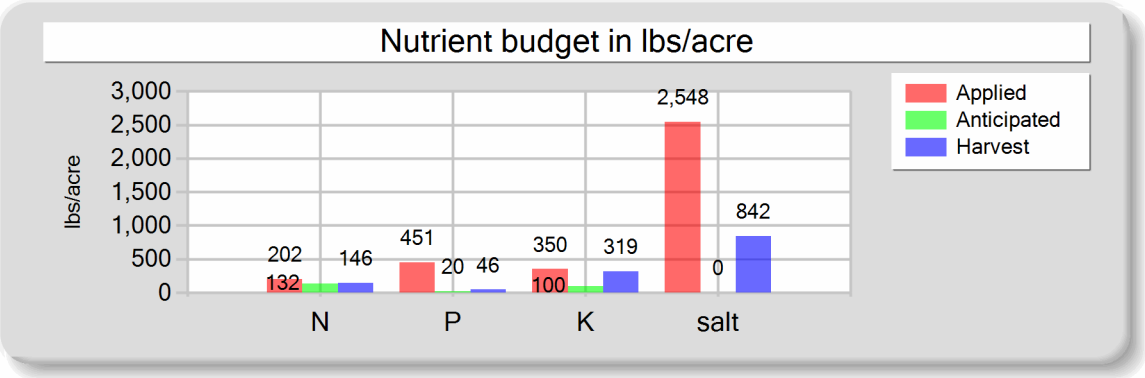

	Total N (lbs/acre)	Total P (lbs/acre)	Total K (lbs/acre)	Total salt (lbs/acre)
Existing soil nutrient content	0.00	0.00	0.00	0.00
Plowdown credit	0.00	0.00	0.00	0.00
Commercial fertilizer / Other	0.00	0.00	0.00	0.00
Dry manure	195.26	451.21	349.95	2,510.48
Process wastewater	0.00	0.00	0.00	0.00
Fresh water	0.00	0.00	0.00	37.49
Atmospheric deposition	7.00	0.00	0.00	0.00
Total nutrients applied	202.26	451.21	349.95	2,547.97
Anticipated crop nutrient removal	132.00	20.40	99.60	0.00
Actual crop nutrient removal	145.82	45.51	318.89	841.96
Nutrient balance	56.44	405.70	31.06	1,706.01
Applied to removed ratio	1.39	9.91	1.10	3.03

Fresh water applied	
25,920,000.00	*gallons*
954.55	*acre-inches*
12.73	*inches/acre*

Process wastewater applied	
0.00	*gallons*
0.00	*acre-inches*
0.00	*inches/acre*

Total harvests for the crop	
1	*harvests*

Keith's - 05/27/2023: Corn, silage

Field name: Keith's Crop: Corn, silage Plant date: 05/27/2023

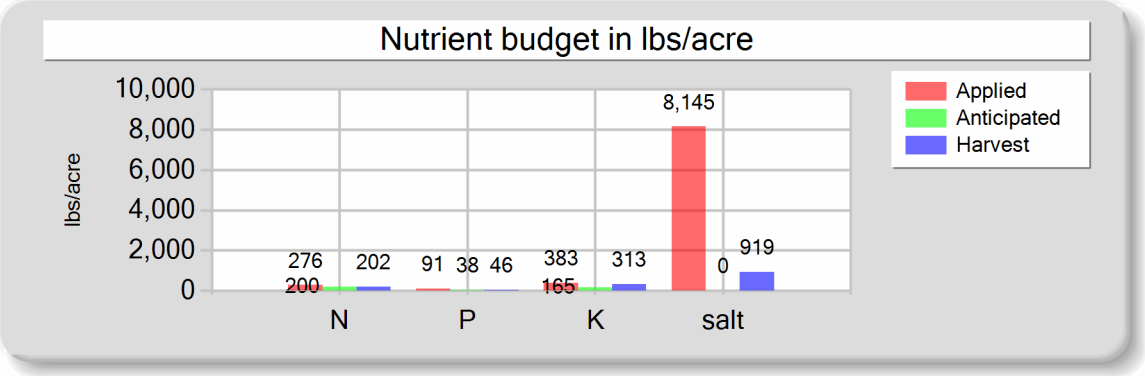

	Total N (lbs/acre)	Total P (lbs/acre)	Total K (lbs/acre)	Total salt (lbs/acre)
Existing soil nutrient content	0.00	0.00	0.00	0.00
Plowdown credit	0.00	0.00	0.00	0.00
Commercial fertilizer / Other	0.00	0.00	0.00	0.00
Dry manure	268.55	91.20	382.89	7,923.62
Process wastewater	0.00	0.00	0.00	0.00
Fresh water	0.00	0.00	0.00	221.83
Atmospheric deposition	7.00	0.00	0.00	0.00
Total nutrients applied	275.55	91.20	382.89	8,145.45
Anticipated crop nutrient removal	200.00	37.50	165.00	0.00
Actual crop nutrient removal	202.41	46.10	312.62	919.33
Nutrient balance	73.14	45.10	70.27	7,226.12
Applied to removed ratio	1.36	1.98	1.22	8.86

Fresh water applied	
76,680,000.00	*gallons*
2,823.86	*acre-inches*
37.65	*inches/acre*

Process wastewater applied	
0.00	*gallons*
0.00	*acre-inches*
0.00	*inches/acre*

Total harvests for the crop	
1	*harvests*

Morgan - 10/30/2022: Wheat, silage, soft dough

Field name: Morgan | Crop: Wheat, silage, soft dough | Plant date: 10/30/2022

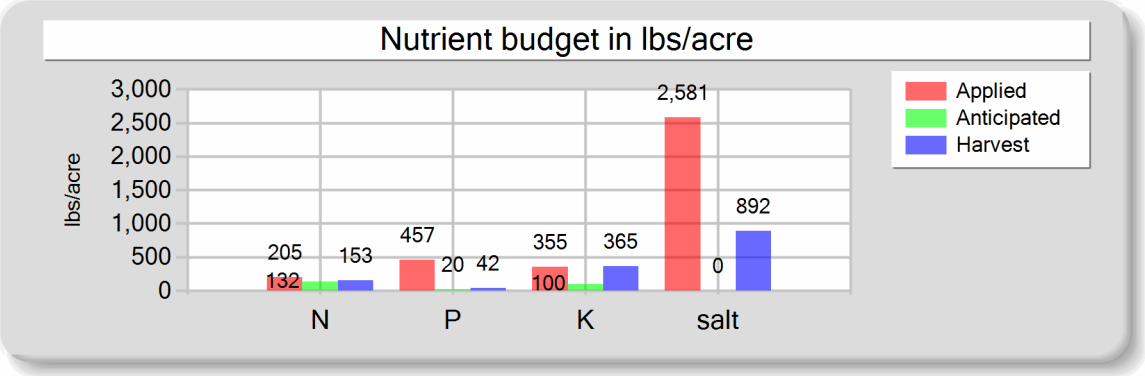

	Total N (lbs/acre)	Total P (lbs/acre)	Total K (lbs/acre)	Total salt (lbs/acre)
Existing soil nutrient content	0.00	0.00	0.00	0.00
Plowdown credit	0.00	0.00	0.00	0.00
Commercial fertilizer / Other	0.00	0.00	0.00	0.00
Dry manure	197.90	457.31	354.67	2,544.41
Process wastewater	0.00	0.00	0.00	0.00
Fresh water	0.00	0.00	0.00	36.42
Atmospheric deposition	7.00	0.00	0.00	0.00
Total nutrients applied	204.90	457.31	354.67	2,580.82
Anticipated crop nutrient removal	132.00	20.40	99.60	0.00
Actual crop nutrient removal	153.14	42.42	364.91	892.47
Nutrient balance	51.76	414.89	-10.24	1,688.36
Applied to removed ratio	1.34	10.78	0.97	2.89

Fresh water applied	
25,380,000.00	*gallons*
934.66	*acre-inches*
12.63	*inches/acre*

Process wastewater applied	
0.00	*gallons*
0.00	*acre-inches*
0.00	*inches/acre*

Total harvests for the crop	
1	*harvests*

Morgan - 05/27/2023: Corn, silage

Field name: Morgan | Crop: Corn, silage | Plant date: 05/27/2023

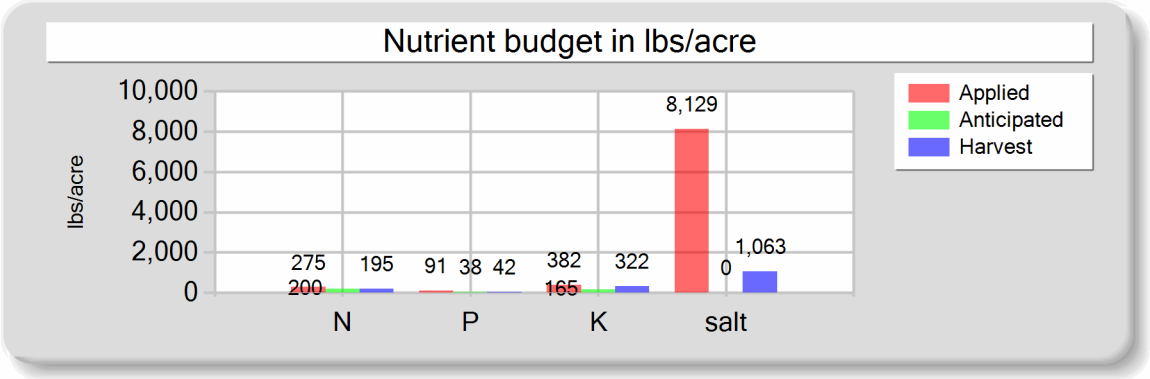

	Total N (lbs/acre)	Total P (lbs/acre)	Total K (lbs/acre)	Total salt (lbs/acre)
Existing soil nutrient content	0.00	0.00	0.00	0.00
Plowdown credit	0.00	0.00	0.00	0.00
Commercial fertilizer / Other	0.00	0.00	0.00	0.00
Dry manure	267.99	91.01	382.09	7,907.15
Process wastewater	0.00	0.00	0.00	0.00
Fresh water	0.00	0.00	0.00	221.66
Atmospheric deposition	7.00	0.00	0.00	0.00
Total nutrients applied	274.99	91.01	382.09	8,128.81
Anticipated crop nutrient removal	200.00	37.50	165.00	0.00
Actual crop nutrient removal	194.90	41.58	321.71	1,062.61
Nutrient balance	80.10	49.43	60.38	7,066.20
Applied to removed ratio	1.41	2.19	1.19	7.65

Fresh water applied	
75,600,000.00	*gallons*
2,784.09	*acre-inches*
37.62	*inches/acre*

Process wastewater applied	
0.00	*gallons*
0.00	*acre-inches*
0.00	*inches/acre*

Total harvests for the crop	
1	*harvests*

Pasture - 10/30/2022: Wheat, silage, soft dough

Field name: Pasture | Crop: Wheat, silage, soft dough | Plant date: 10/30/2022

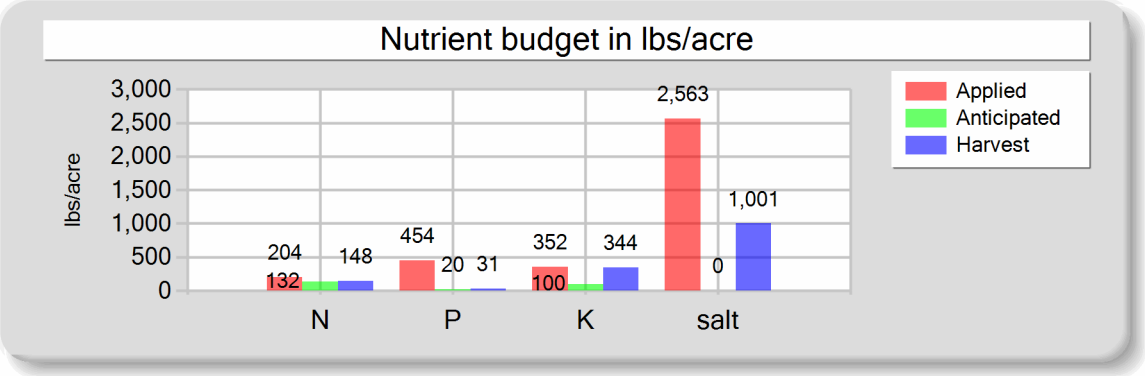

	Total N (lbs/acre)	Total P (lbs/acre)	Total K (lbs/acre)	Total salt (lbs/acre)
Existing soil nutrient content	0.00	0.00	0.00	0.00
Plowdown credit	0.00	0.00	0.00	0.00
Commercial fertilizer / Other	0.00	0.00	0.00	0.00
Dry manure	196.62	454.34	352.38	2,527.92
Process wastewater	0.00	0.00	0.00	0.00
Fresh water	0.00	0.00	0.00	35.15
Atmospheric deposition	7.00	0.00	0.00	0.00
Total nutrients applied	203.62	454.34	352.38	2,563.06
Anticipated crop nutrient removal	132.00	20.40	99.60	0.00
Actual crop nutrient removal	147.81	31.28	344.40	1,001.42
Nutrient balance	55.81	423.06	7.98	1,561.64
Applied to removed ratio	1.38	14.52	1.02	2.56

Fresh water applied	
13,770,000.00	*gallons*
507.10	*acre-inches*
12.68	*inches/acre*

Process wastewater applied	
0.00	*gallons*
0.00	*acre-inches*
0.00	*inches/acre*

Total harvests for the crop	
1	*harvests*

Pasture - 05/27/2023: Corn, silage

Field name: Pasture | Crop: Corn, silage | Plant date: 05/27/2023

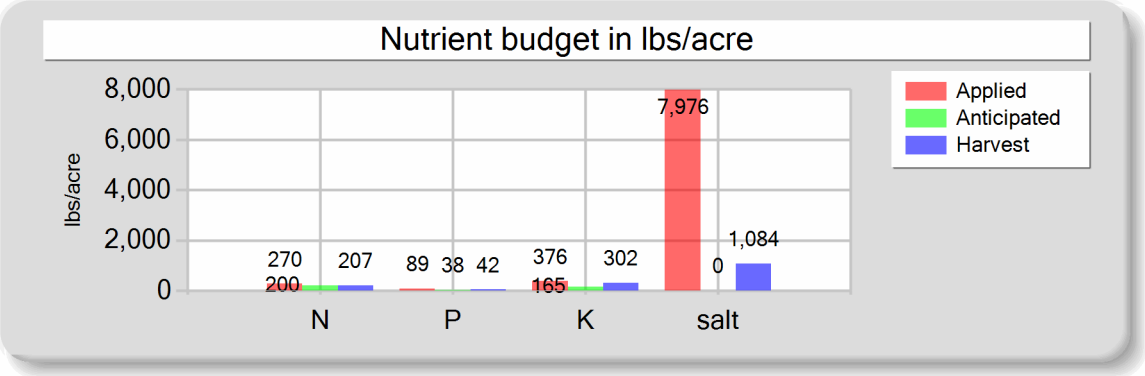

	Total N (lbs/acre)	Total P (lbs/acre)	Total K (lbs/acre)	Total salt (lbs/acre)
Existing soil nutrient content	0.00	0.00	0.00	0.00
Plowdown credit	0.00	0.00	0.00	0.00
Commercial fertilizer / Other	0.00	0.00	0.00	0.00
Dry manure	263.39	89.45	375.52	7,771.24
Process wastewater	0.00	0.00	0.00	0.00
Fresh water	0.00	0.00	0.00	204.30
Atmospheric deposition	7.00	0.00	0.00	0.00
Total nutrients applied	270.39	89.45	375.52	7,975.55
Anticipated crop nutrient removal	200.00	37.50	165.00	0.00
Actual crop nutrient removal	206.85	41.70	302.16	1,084.39
Nutrient balance	63.53	47.75	73.37	6,891.16
Applied to removed ratio	1.31	2.15	1.24	7.35

Fresh water applied	
37,665,000.00	*gallons*
1,387.07	*acre-inches*
34.68	*inches/acre*

Process wastewater applied	
0.00	*gallons*
0.00	*acre-inches*
0.00	*inches/acre*

Total harvests for the crop	
1	*harvests*

NUTRIENT ANALYSES

A. MANURE ANALYSES

Corral Solids

Sample and source description: Corral Solids

Sample date: 10/28/2022 Material type: Corral solids Source of analysis: Lab analysis Method of reporting: Dry-weight

Moisture: 41.3 %

	Total N (mg/kg)	Total P (mg/kg)	Total K (mg/kg)	Calcium (mg/kg)	Magnesium (mg/kg)	Sodium (mg/kg)	Sulfur (mg/kg)	Chloride (mg/kg)	Total salt (mg/kg)	TFS (%)
Value	23,100.00	53,380.00	41,400.00							29.70
DL	100.00	100.00	100.00							0.01

Corral Manure

Sample and source description: Corral Manure

Sample date: 04/28/2023 Material type: Corral solids Source of analysis: Lab analysis Method of reporting: Dry-weight

Moisture: 23.3 %

	Total N (mg/kg)	Total P (mg/kg)	Total K (mg/kg)	Calcium (mg/kg)	Magnesium (mg/kg)	Sodium (mg/kg)	Sulfur (mg/kg)	Chloride (mg/kg)	Total salt (mg/kg)	TFS (%)
Value	20,200.00	6,860.00	28,800.00							59.60
DL	100.00	100.00	100.00							0.01

Corral Solids

Sample and source description: Corral Solids

Sample date: 10/23/2023 Material type: Corral solids Source of analysis: Lab analysis Method of reporting: Dry-weight

Moisture: 6.8 %

	Total N (mg/kg)	Total P (mg/kg)	Total K (mg/kg)	Calcium (mg/kg)	Magnesium (mg/kg)	Sodium (mg/kg)	Sulfur (mg/kg)	Chloride (mg/kg)	Total salt (mg/kg)	TFS (%)
Value	16,900.00	6,770.00	33,700.00							35.20
DL	100.00	100.00	100.00							0.01

B. PROCESS WASTEWATER ANALYSES

WWQ4

Sample and source description: WWQ4

Sample date: 10/21/2022 Material type: Process wastewater Source of analysis: Lab analysis pH: 0.00

	Kjeldahl-N (mg/L)	NH4-N (mg/L)	NH3-N (mg/L)	Nitrate-N (mg/L)	Total P (mg/L)	Total K (mg/L)	Calcium (mg/L)	Magnes. (mg/L)	Sodium (mg/L)	Bicarb. (mg/L)	Carb. (mg/L)	Sulfate (mg/L)	Chloride (mg/L)	EC (µmhos/cm)	TDS (mg/L)
Value	277.00	157.00	0.00	0.00	38.30	440.00								4,020.00	3,700
DL	0.50	0.50	0.50	0.50	0.50	0.50								1.00	10

WWQ1

Sample and source description: WWQ1

Sample date: 02/10/2023 Material type: Process wastewater Source of analysis: Lab analysis pH: 0.00

	Kjeldahl-N (mg/L)	NH4-N (mg/L)	NH3-N (mg/L)	Nitrate-N (mg/L)	Total P (mg/L)	Total K (mg/L)	Calcium (mg/L)	Magnes. (mg/L)	Sodium (mg/L)	Bicarb. (mg/L)	Carb. (mg/L)	Sulfate (mg/L)	Chloride (mg/L)	EC (µmhos/cm)	TDS (mg/L)
Value	339.00	193.00	0.00	0.00	60.50	533.00								4,720.00	3,460
DL	0.50	0.50	0.50	0.50	0.50	0.50								1.00	10

WWQ2

Sample and source description: WWQ2

Sample date: 06/02/2023 Material type: Process wastewater Source of analysis: Lab analysis pH: 0.00

	Kjeldahl-N (mg/L)	NH4-N (mg/L)	NH3-N (mg/L)	Nitrate-N (mg/L)	Total P (mg/L)	Total K (mg/L)	Calcium (mg/L)	Magnes. (mg/L)	Sodium (mg/L)	Bicarb. (mg/L)	Carb. (mg/L)	Sulfate (mg/L)	Chloride (mg/L)	EC (µmhos/cm)	TDS (mg/L)
Value	286.00	162.00	0.00	0.00	37.20	536.00	154.00	112.00	220.00	2,080.00	0.00	209.00	262.00	4,520.00	4,400
DL	0.50	0.50	0.50	0.50	0.50	0.50	0.50	0.50	0.50	0.50	2.00	1.00	0.10	1.00	10

WWQ3

Sample and source description: WWQ3

Sample date: 07/27/2023 Material type: Process wastewater Source of analysis: Lab analysis pH: 0.00

	Kjeldahl-N (mg/L)	NH4-N (mg/L)	NH3-N (mg/L)	Nitrate-N (mg/L)	Total P (mg/L)	Total K (mg/L)	Calcium (mg/L)	Magnes. (mg/L)	Sodium (mg/L)	Bicarb. (mg/L)	Carb. (mg/L)	Sulfate (mg/L)	Chloride (mg/L)	EC (µmhos/cm)	TDS (mg/L)
Value	129.00	86.80	0.00	0.00	14.80	228.00								2,390.00	2,140
DL	0.50	0.50	0.50	0.50	0.50	0.50								1.00	10

WWQ4

Sample and source description: WWQ4

Sample date: 10/31/2023 Material type: Process wastewater Source of analysis: Lab analysis pH: 0.00

	Kjeldahl-N (mg/L)	NH4-N (mg/L)	NH3-N (mg/L)	Nitrate-N (mg/L)	Total P (mg/L)	Total K (mg/L)	Calcium (mg/L)	Magnes. (mg/L)	Sodium (mg/L)	Bicarb. (mg/L)	Carb. (mg/L)	Sulfate (mg/L)	Chloride (mg/L)	EC (µmhos/cm)	TDS (mg/L)
Value	311.00	171.00	0.00	0.00	47.60	441.00								4,050.00	4,120
DL	0.50	0.50	0.50	0.50	0.50	0.50								1.00	10

C. FRESH WATER ANALYSES

IW

IW

Sample description: IW

Sample date: 12/28/2023 Source of analysis: Lab analysis

	Total N (mg/L)	NH4-N (mg/L)	Nitrate-N (mg/L)	Calcium (mg/L)	Magnesium (mg/L)	Sodium (mg/L)	Bicarbonate (mg/L)	Carbonate (mg/L)	Sulfate (mg/L)	Chloride (mg/L)	EC (µmhos/cm)	TDS (mg/L)
Value	29.30	0.00	29.30								679.00	340
DL	0.50	0.50	0.50								1.00	10

TID Lateral 4

TID Lateral 4

Sample description: TID Lateral 4

Sample date: 07/22/2002 Source of analysis: Lab analysis

	Total N (mg/L)	NH4-N (mg/L)	Nitrate-N (mg/L)	Calcium (mg/L)	Magnesium (mg/L)	Sodium (mg/L)	Bicarbonate (mg/L)	Carbonate (mg/L)	Sulfate (mg/L)	Chloride (mg/L)	EC (µmhos/cm)	TDS (mg/L)
Value	0.00	0.00	0.00								0.00	0
DL	0.50	0.50	0.50								1.00	10

TID Lateral 4

TID Lateral 4

Sample description: TID Lateral 4

Sample date: 07/25/2023 Source of analysis: Lab analysis

	Total N (mg/L)	NH4-N (mg/L)	Nitrate-N (mg/L)	Calcium (mg/L)	Magnesium (mg/L)	Sodium (mg/L)	Bicarbonate (mg/L)	Carbonate (mg/L)	Sulfate (mg/L)	Chloride (mg/L)	EC (µmhos/cm)	TDS (mg/L)
Value	0.00	0.00	0.00								31.10	26
DL	1.00	0.50	0.50								10.00	10

D. SOIL ANALYSES

Dicks

Soil

Sample and source description: Soil

Sample date: 09/22/2023 Source of analysis: Lab analysis

	Nitrate-N (mg/kg)	Total P (mg/kg)	Soluble P (mg/kg)	K (mg/kg)	EC (µmhos/cm)	Organic matter (%)	Total salt (mg/kg)
Value			63.00				
DL			4.00				

EK1

Soil

Sample and source description: Soil

Sample date: 09/06/2023 Source of analysis: Lab analysis

	Nitrate-N (mg/kg)	Total P (mg/kg)	Soluble P (mg/kg)	K (mg/kg)	EC (µmhos/cm)	Organic matter (%)	Total salt (mg/kg)
Value			77.00				
DL			4.00				

EK2

EK2

Soil

Sample and source description: Soil

Sample date: 09/06/2023 Source of analysis: Lab analysis

	Nitrate-N (mg/kg)	Total P (mg/kg)	Soluble P (mg/kg)	K (mg/kg)	EC (µmhos/cm)	Organic matter (%)	Total salt (mg/kg)
Value			68.00				
DL			4.00				

EK3

Soil

Sample and source description: Soil

Sample date: 09/21/2023 Source of analysis: Lab analysis

	Nitrate-N (mg/kg)	Total P (mg/kg)	Soluble P (mg/kg)	K (mg/kg)	EC (µmhos/cm)	Organic matter (%)	Total salt (mg/kg)
Value			77.00				
DL			4.00				

EK4

Soil

Sample and source description: Soil

Sample date: 09/21/2023 Source of analysis: Lab analysis

	Nitrate-N (mg/kg)	Total P (mg/kg)	Soluble P (mg/kg)	K (mg/kg)	EC (µmhos/cm)	Organic matter (%)	Total salt (mg/kg)
Value			38.00				
DL			4.00				

EK5

EK5

Soil

Sample and source description: Soil

Sample date: 09/21/2023 Source of analysis: Lab analysis

	Nitrate-N (mg/kg)	Total P (mg/kg)	Soluble P (mg/kg)	K (mg/kg)	EC (µmhos/cm)	Organic matter (%)	Total salt (mg/kg)
Value			70.00				
DL			4.00				

EK6

Soil

Sample and source description: Soil

Sample date: 09/21/2023 Source of analysis: Lab analysis

	Nitrate-N (mg/kg)	Total P (mg/kg)	Soluble P (mg/kg)	K (mg/kg)	EC (µmhos/cm)	Organic matter (%)	Total salt (mg/kg)
Value			92.00				
DL			4.00				

EK7

Soil

Sample and source description: Soil

Sample date: 09/06/2023 Source of analysis: Lab analysis

	Nitrate-N (mg/kg)	Total P (mg/kg)	Soluble P (mg/kg)	K (mg/kg)	EC (µmhos/cm)	Organic matter (%)	Total salt (mg/kg)
Value			73.00				
DL			4.00				

Kathy's

Kathy's

Soil

Sample and source description: Soil

Sample date: 09/22/2023 Source of analysis: Lab analysis

	Nitrate-N (mg/kg)	Total P (mg/kg)	Soluble P (mg/kg)	K (mg/kg)	EC (µmhos/cm)	Organic matter (%)	Total salt (mg/kg)
Value			16.00				
DL			4.00				

Keith's

Soil

Sample and source description: Soil

Sample date: 09/22/2023 Source of analysis: Lab analysis

	Nitrate-N (mg/kg)	Total P (mg/kg)	Soluble P (mg/kg)	K (mg/kg)	EC (µmhos/cm)	Organic matter (%)	Total salt (mg/kg)
Value			68.00				
DL			4.00				

Morgan

Soil

Sample and source description: Soil

Sample date: 09/22/2023 Source of analysis: Lab analysis

	Nitrate-N (mg/kg)	Total P (mg/kg)	Soluble P (mg/kg)	K (mg/kg)	EC (µmhos/cm)	Organic matter (%)	Total salt (mg/kg)
Value			22.00				
DL			4.00				

Pasture

Pasture

Soil

Sample and source description: Soil

Sample date: 09/22/2023 Source of analysis: Lab analysis

	Nitrate-N (mg/kg)	Total P (mg/kg)	Soluble P (mg/kg)	K (mg/kg)	EC (µmhos/cm)	Organic matter (%)	Total salt (mg/kg)
Value			26.00				
DL			4.00				

E. PLANT TISSUE ANALYSES

Dicks - 11/19/2017: Alfalfa, hay

Alfalfa

Sample and source description: Alfalfa

Sample date: 09/22/2023 Source of analysis: Lab analysis Method of reporting: As-is

Moisture: 4.2 %

	Total N (mg/kg)	Total P (mg/kg)	Total K (mg/kg)	Total salt (mg/kg)	TFS (%)
Value	20,200.00	2,500.00	17,100.00		7.09
DL	100.00	100.00	100.00		0.01

EK1 - 10/28/2022: Wheat, silage, soft dough

Forage

Sample and source description: Forage

Sample date: 05/05/2023 Source of analysis: Lab analysis Method of reporting: As-is

Moisture: 74.8 %

	Total N (mg/kg)	Total P (mg/kg)	Total K (mg/kg)	Total salt (mg/kg)	TFS (%)
Value	4,810.00	960.00	6,970.00		10.70
DL	100.00	100.00	100.00		0.01

EK1 - 05/24/2023: Corn, silage

Corn Silage

Sample and source description: Corn Silage

Sample date: 09/06/2023 Source of analysis: Lab analysis Method of reporting: As-is

Moisture: 73.4 %

	Total N (mg/kg)	Total P (mg/kg)	Total K (mg/kg)	Total salt (mg/kg)	TFS (%)
Value	3,030.00	560.00	4,740.00		5.49
DL	100.00	100.00	100.00		0.01

EK2 - 10/28/2022: Wheat, silage, soft dough

Forage

Sample and source description: Forage

Sample date: 05/05/2023 Source of analysis: Lab analysis Method of reporting: As-is

Moisture: 76.4 %

	Total N (mg/kg)	Total P (mg/kg)	Total K (mg/kg)	Total salt (mg/kg)	TFS (%)
Value	4,890.00	950.00	7,060.00		10.70
DL	100.00	100.00	100.00		0.01

EK2 - 05/24/2023: Corn, silage

Corn Silage

Sample and source description: Corn Silage

Sample date: 09/06/2023 Source of analysis: Lab analysis Method of reporting: As-is

Moisture: 72.6 %

	Total N (mg/kg)	Total P (mg/kg)	Total K (mg/kg)	Total salt (mg/kg)	TFS (%)
Value	3,100.00	500.00	4,630.00		4.57
DL	100.00	100.00	100.00		0.01

EK3 - 10/28/2022: Wheat, silage, soft dough

Forage

Sample and source description: Forage

Sample date: 05/05/2023 Source of analysis: Lab analysis Method of reporting: As-is

Moisture: 74.4 %

	Total N (mg/kg)	Total P (mg/kg)	Total K (mg/kg)	Total salt (mg/kg)	TFS (%)
Value	4,630.00	980.00	7,050.00		10.30
DL	100.00	100.00	100.00		0.01

EK3 - 05/24/2023: Corn, silage

Corn Silage

Sample and source description: Corn Silage

Sample date: 09/06/2023 Source of analysis: Lab analysis Method of reporting: As-is

Moisture: 75.0 %

	Total N (mg/kg)	Total P (mg/kg)	Total K (mg/kg)	Total salt (mg/kg)	TFS (%)
Value	2,800.00	490.00	5,000.00		5.94
DL	100.00	100.00	100.00		0.01

EK4 - 10/28/2022: Wheat, silage, soft dough

Forage

Sample and source description: Forage

Sample date: 05/05/2023 Source of analysis: Lab analysis Method of reporting: As-is

Moisture: 75.8 %

	Total N (mg/kg)	Total P (mg/kg)	Total K (mg/kg)	Total salt (mg/kg)	TFS (%)
Value	5,110.00	960.00	7,000.00		10.80
DL	100.00	100.00	100.00		0.01

EK4 - 05/24/2023: Corn, silage

Corn Silage

Sample and source description: Corn Silage

Sample date: 09/06/2023 Source of analysis: Lab analysis Method of reporting: As-is

Moisture: 74.2 %

	Total N (mg/kg)	Total P (mg/kg)	Total K (mg/kg)	Total salt (mg/kg)	TFS (%)
Value	2,580.00	470.00	4,800.00		5.88
DL	100.00	100.00	100.00		0.01

EK5 - 10/28/2022: Wheat, silage, soft dough

Forage

Sample and source description: Forage

Sample date: 05/05/2023 Source of analysis: Lab analysis Method of reporting: As-is

Moisture: 76.4 %

	Total N (mg/kg)	Total P (mg/kg)	Total K (mg/kg)	Total salt (mg/kg)	TFS (%)
Value	4,600.00	910.00	6,500.00		10.90
DL	100.00	100.00	100.00		0.01

EK5 - 05/24/2023: Corn, silage

Corn Silage

Sample and source description: Corn Silage

Sample date: 09/06/2023 Source of analysis: Lab analysis Method of reporting: As-is

Moisture: 73.8 %

	Total N (mg/kg)	Total P (mg/kg)	Total K (mg/kg)	Total salt (mg/kg)	TFS (%)
Value	3,460.00	650.00	6,160.00		5.83
DL	100.00	100.00	100.00		0.01

EK6 - 10/28/2022: Wheat, silage, soft dough

Forage

Sample and source description: Forage

Sample date: 05/05/2023 Source of analysis: Lab analysis Method of reporting: As-is

Moisture: 75.4 %

	Total N (mg/kg)	Total P (mg/kg)	Total K (mg/kg)	Total salt (mg/kg)	TFS (%)
Value	5,390.00	960.00	6,930.00		11.80
DL	100.00	100.00	100.00		0.01

EK6 - 05/25/2023: Corn, silage

Corn Silage

Sample and source description: Corn Silage

Sample date: 09/06/2023 Source of analysis: Lab analysis Method of reporting: As-is

Moisture: 73.6 %

	Total N (mg/kg)	Total P (mg/kg)	Total K (mg/kg)	Total salt (mg/kg)	TFS (%)
Value	3,330.00	550.00	5,300.00		6.10
DL	100.00	100.00	100.00		0.01

EK7 - 10/28/2022: Wheat, silage, soft dough

Forage

Sample and source description: Forage

Sample date: 05/05/2023 Source of analysis: Lab analysis Method of reporting: As-is

Moisture: 74.2 %

	Total N (mg/kg)	Total P (mg/kg)	Total K (mg/kg)	Total salt (mg/kg)	TFS (%)
Value	5,340.00	950.00	7,070.00		10.20
DL	100.00	100.00	100.00		0.01

EK7 - 05/25/2023: Corn, silage

Corn Silage

Sample and source description: Corn Silage

Sample date: 09/06/2023 Source of analysis: Lab analysis Method of reporting: As-is

Moisture: 75.2 %

	Total N (mg/kg)	Total P (mg/kg)	Total K (mg/kg)	Total salt (mg/kg)	TFS (%)
Value	2,930.00	520.00	4,560.00		5.05
DL	100.00	100.00	100.00		0.01

Kathy's - 11/17/2017: Alfalfa, hay

Alfalfa

Sample and source description: Alfalfa

Sample date: 09/22/2023 Source of analysis: Lab analysis Method of reporting: As-is

Moisture: 3.8 %

	Total N (mg/kg)	Total P (mg/kg)	Total K (mg/kg)	Total salt (mg/kg)	TFS (%)
Value	17,100.00	1,810.00	22,800.00		16.10
DL	100.00	100.00	100.00		0.01

Keith's - 10/30/2022: Wheat, silage, soft dough

Forage

Sample and source description: Forage

Sample date: 05/09/2023 Source of analysis: Lab analysis Method of reporting: As-is

Moisture: 63.2 %

	Total N (mg/kg)	Total P (mg/kg)	Total K (mg/kg)	Total salt (mg/kg)	TFS (%)
Value	4,710.00	1,470.00	10,300.00		7.39
DL	100.00	100.00	100.00		0.01

Keith's - 05/27/2023: Corn, silage

Corn Silage

Sample and source description: Corn Silage

Sample date: 10/05/2023 Source of analysis: Lab analysis Method of reporting: As-is

Moisture: 69.4 %

	Total N (mg/kg)	Total P (mg/kg)	Total K (mg/kg)	Total salt (mg/kg)	TFS (%)
Value	3,820.00	870.00	5,900.00		5.67
DL	100.00	100.00	100.00		0.01

Morgan - 10/30/2022: Wheat, silage, soft dough

Forage

Sample and source description: Forage

Sample date: 05/09/2023 Source of analysis: Lab analysis Method of reporting: As-is

Moisture: 62.2 %

	Total N (mg/kg)	Total P (mg/kg)	Total K (mg/kg)	Total salt (mg/kg)	TFS (%)
Value	4,910.00	1,360.00	11,700.00		7.57
DL	100.00	100.00	100.00		0.01

Morgan - 05/27/2023: Corn, silage

Corn Silage

Sample and source description: Corn Silage

Sample date: 10/05/2023 Source of analysis: Lab analysis Method of reporting: As-is

Moisture: 69.8 %

	Total N (mg/kg)	Total P (mg/kg)	Total K (mg/kg)	Total salt (mg/kg)	TFS (%)
Value	3,750.00	800.00	6,190.00		6.77
DL	100.00	100.00	100.00		0.01

Pasture - 10/30/2022: Wheat, silage, soft dough

Forage

Sample and source description: Forage

Sample date: 05/09/2023 Source of analysis: Lab analysis Method of reporting: As-is

Moisture: 62.4 %

	Total N (mg/kg)	Total P (mg/kg)	Total K (mg/kg)	Total salt (mg/kg)	TFS (%)
Value	5,150.00	1,090.00	12,000.00		9.28
DL	100.00	100.00	100.00		0.01

Pasture - 05/27/2023: Corn, silage

Corn Silage

Sample and source description: Corn Silage

Sample date: 10/05/2023 Source of analysis: Lab analysis Method of reporting: As-is

Moisture: 70.2 %

	Total N (mg/kg)	Total P (mg/kg)	Total K (mg/kg)	Total salt (mg/kg)	TFS (%)
Value	3,820.00	770.00	5,580.00		6.72
DL	100.00	100.00	100.00		0.01

F. SUBSURFACE (TILE) DRAINAGE ANALYSES

No subsurface (tile) drainage analyses entered.

NUTRIENT APPLICATIONS, POTENTIAL REMOVAL, AND BALANCE

A. SUMMARY OF NUTRIENT APPLICATIONS, POTENTIAL REMOVAL, AND BALANCE

	Total N (lbs)	Total P (lbs)	Total K (lbs)	Total salt (lbs)
Existing soil nutrient content	0.00	0.00	0.00	0.00
Plowdown credit	0.00	0.00	0.00	0.00
Commercial fertilizer / Other	0.00	0.00	0.00	0.00
Dry manure	87,662.06	103,008.21	138,599.03	1,967,939.18
Process wastewater	90,526.09	11,975.55	158,297.56	1,337,904.82
Fresh water	1,716.45	0.00	0.00	193,459.40
Atmospheric deposition	8,512.00	0.00	0.00	0.00
Total nutrients applied	188,416.60	114,983.76	296,896.58	3,499,303.41
Anticipated crop nutrient removal	235,503.00	33,811.80	179,322.90	0.00
Actual crop nutrient removal	184,514.40	34,543.08	289,384.60	1,045,618.96
Nutrient balance	3,902.20	80,440.68	7,511.98	2,453,684.45
Applied to removed ratio	1.02	3.33	1.03	3.35

B. POUNDS OF NUTRIENT APPLIED VS. CROP REMOVAL

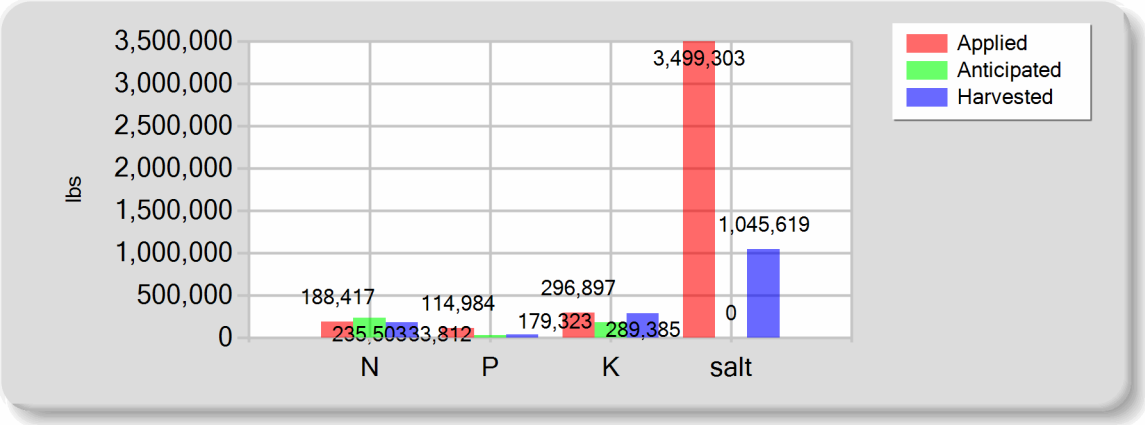

C. POUNDS OF NUTRIENT APPLIED BY MATERIAL TYPE

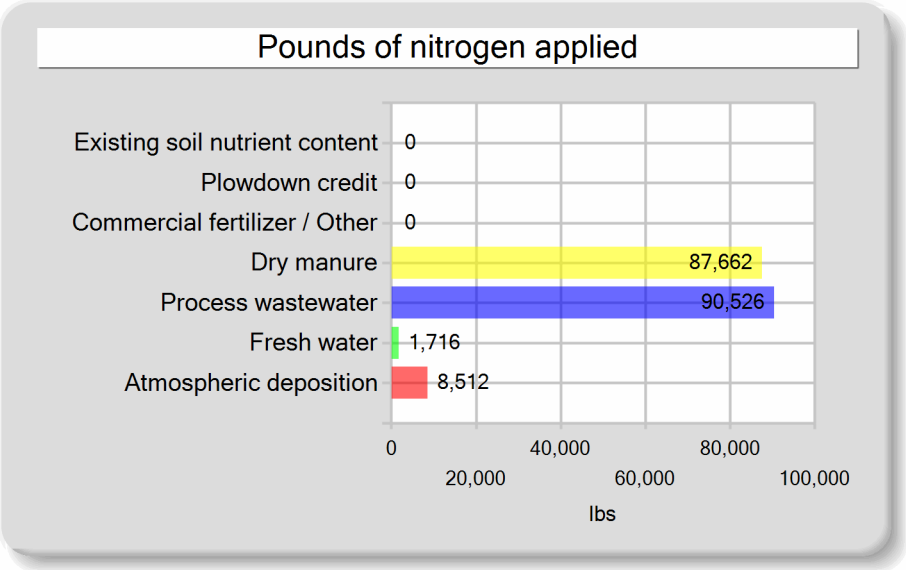

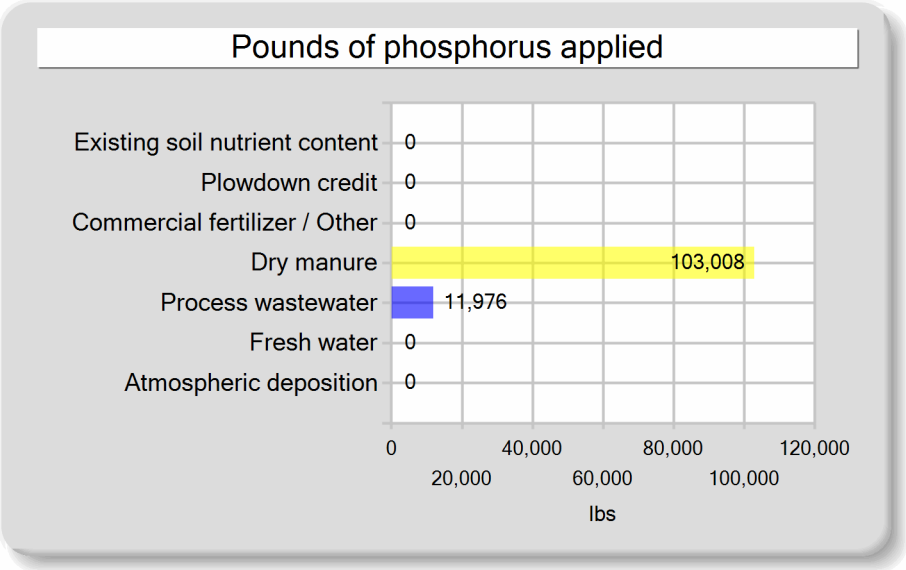

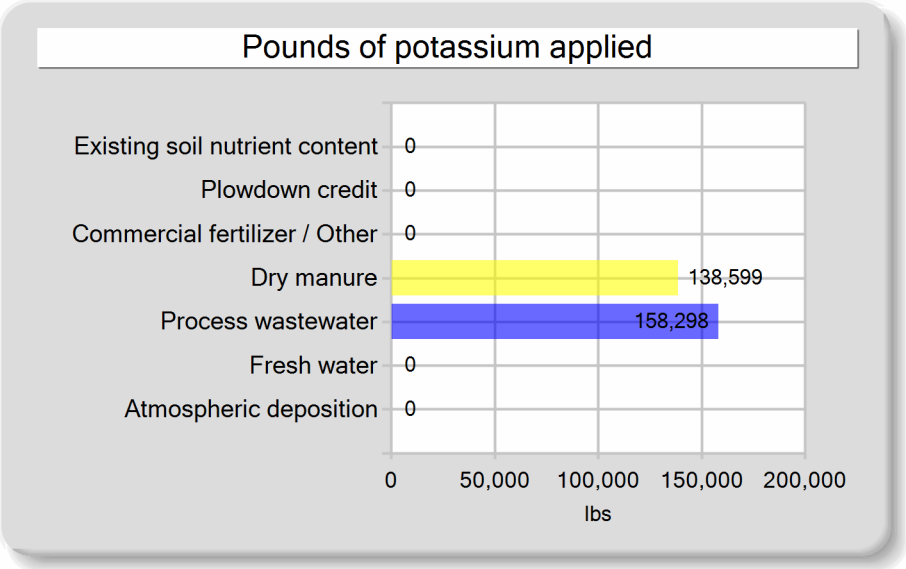

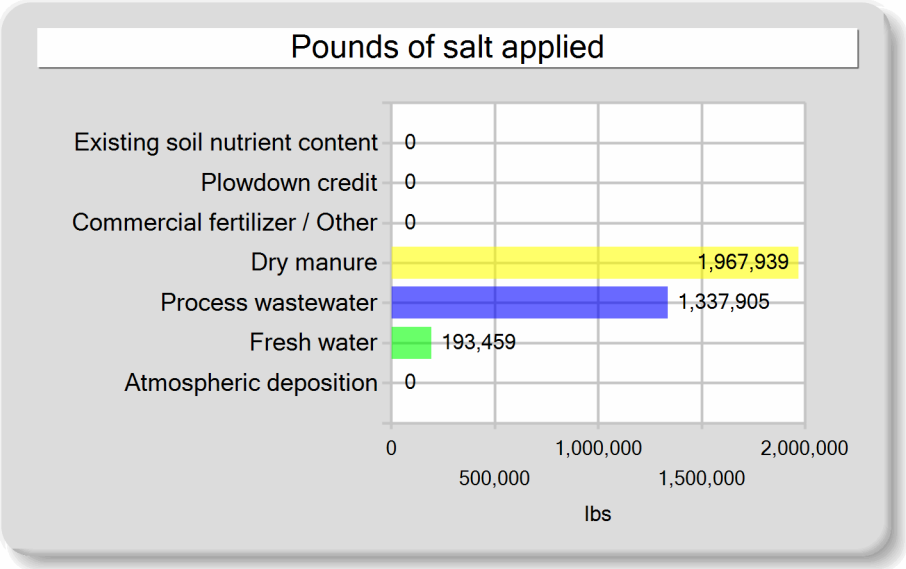

EXCEPTION REPORTING

A. MANURE, PROCESS WASTEWATER, AND OTHER DAIRY WASTE DISCHARGES

The following is a summary of all manure and process wastewater discharges from the production area to surface water or to land areas (land application areas or otherwise) when not in accordance with the facility's Nutrient Management Plan.

No manure or process wastewater discharges occurred during the reporting period.

B. STORM WATER DISCHARGES

The following is a summary of all storm water discharges from the production area to surface water during the reporting period when not in accordance with the facility 's Nutrient Management Plan.

No stormwater discharges occurred during the reporting period.

C. LAND APPLICATION AREA TO SURFACE WATER DISCHARGES

The following is a summary of all discharges from the land application area to surface water that have occurred during the reporting period when not in accordance with the facility's Nutrient Management Plan.

No land application area to surface water discharges occurred during the reporting period.

NUTRIENT MANAGEMENT PLAN AND EXPORT AGREEMENT STATEMENTS

A. NUTRIENT MANAGEMENT PLAN STATEMENTS

Was the facility's NMP updated in the reporting period?	No
Was the facility's NMP developed by a certified nutrient management planner (specialist) as specified in Attachment C of the General Order?	Yes
Was the facility's NMP approved by a certified nutrient management planner (specialist) as specified in Attachment C of the General Order?	Yes

B. EXPORT AGREEMENT STATEMENT

Are there any written agreements with third parties to receive manure or process wastewater that are new or were revised within the reporting period?	No

ADDITIONAL NOTES

A. NOTES

No notes entered for this annual report.

Annual Report - General Order No. R5-2007-0035
Reporting period 01/01/2023 to 12/31/2023.

CERTIFICATION

A. OWNER AND/OR OPERATOR CERTIFICATION

I certify under penalty of law that I have personally examined and am familiar with the information submitted in this document and all attachments and that, based on my inquiry of those individuals immediately responsible for obtaining the information, I believe that the information is true, accurate, and complete. I am aware that there are significant penalties for submitting false information, including the possibility of fine and imprisonment.

Jon Fletcher (May 22, 2024 09:25 PDT)	Dominic Assali (May 22, 2024 09:32 PDT)
SIGNATURE OF OWNER OF FACILITY	SIGNATURE OF OPERATOR OF FACILITY
Jon Fletcher	Dominic Assali
PRINT OR TYPE NAME	PRINT OR TYPE NAME
May 22, 2024	May 22, 2024
DATE	DATE

ATTACHMENTS

A. REQUIRED ATTACHMENTS

The following lists the required documents that should be attached to the Annual Report when submitted .

Annual Dairy Facility Assessment
Provide an Annual Dairy Facility Assessment (an update to the Preliminary Dairy Facility Assessment in Attachment A) for each reporting period. On the PDFA Final page, click on the ADFA Report button to generate an ADFA report after updating information as needed .

Manure/Process Wastewater Tracking Manifests
Provide copies of all manure/process wastewater tracking manifests for the reporting period, signed by both the owner/operator and the hauler.

Corrective Actions Documents
Provide records documenting any corrective actions taken to correct deficiencies noted as a result of the inspections required in the Monitoring Requirements of the General Order. Deficiencies not corrected in 30 days must be accompanied by an explanation of the factors preventing immediate correction.

Groundwater Monitoring
Dischargers that monitor supply wells or subsurface (tile) drainage systems, or that have monitoring well systems must submit monitoring results as directed in the General Order, Groundwater Reporting Section starting on page MRP-13.

Storm Water Monitoring
Dischargers that are required to monitor storm water more frequently than required in the General Order must submit monitoring results as directed in the General Order, Storm Water Reporting Section on page MRP-14.

Denele Analytical, Inc.

865 South Kilroy Avenue Turlock, CA 95380
Phone (209) 634-9055 - Fax (209) 634-9057

www.denelelabs.com

40 N. East Street, Woodland, CA 95776
Phone (530) 666-9056 - Fax (530) 666-9058

Compliance Analysis Report

Customer
Double D Dairy
1441 E. Monte Vista
Ceres, CA 95307

Grower

Consultant:
F & R Ag Services
2857 Geer Rd. Ste A
Turlock, CA 95382

PURCHASE ORDER:
RECEIVED DATE: 12/28/23 9:00 AM
SUBMITTED BY: Sean
ANALYZED DATE: 12/28/23

Irrigation/ Ground Water (H1)
SOURCE: Well Water

NOTES: Temperature was above qualifying at 8.6c

Sample ID	Lab ID	Analyte	Method Ref	Result	Units
DW-Well by Gregs	T3362007A	Electrical Conductivity (EC)	EPA 120.1 and	0.888	mmhos/cm
		Nitrate Nitrogen (NO3-N)	EPA 353.2	38.1	mg/L
		Ammonia Nitrogen (NH3-N)	SM 4500-NH3 D,C	< 0.500	mg/L
		Soluble Salts (SALT-SOL)	Calculation	568	mg/L

Laboratory Quality Control	LCS %	MS %	MSD %	RPD %
Ammonia Nitrogen (NH3-N)	91.2	91.0 (T3362002A)	93.4 (T3362002A)	2.60
Electrical Conductivity (EC)	97.0			0.019
Nitrate Nitrogen (NO3-N)	100	155 (T3362002A)	150 (T3362002A)	3.10

The warranty of Denele Analytical is limited to the accuracy of the analyses of the samples as received. Denele Analytical assumes no responsibility for which the customer uses our test results, nor liability for any other warranties, express or implied. These terms and conditions shall supercede any conflicting terms and conditions submitted on customer purchase orders or other forms submitted for work.

ELAP Certificate No.: 2714

Denele Analytical, Inc.

865 South Kilroy Avenue Turlock, CA 95380
Phone (209) 634-9055 - Fax (209) 634-9057

40 N. East Street, Woodland, CA 95776
Phone (530) 666-9056 - Fax (530) 666-9058

www.denelelabs.com

Compliance Analysis Report

Customer
Double D Dairy
1441 E. Monte Vista
Ceres, CA 95307

Grower

Consultant:
F & R Ag Services
2857 Geer Rd. Ste A
Turlock, CA 95382

PURCHASE ORDER:
RECEIVED DATE: 12/28/23 9:00 AM
SUBMITTED BY: Sean
ANALYZED DATE: 12/28/23

Irrigation/ Ground Water (H1)
SOURCE: Well Water

NOTES: Temperature was above qualifying at 8.6c

Sample ID	Lab ID	Analyte	Method Ref	Result	Units
DW-Old Well by Shop	T3362007B	Electrical Conductivity (EC)	EPA 120.1 and	0.796	mmhos/cm
		Nitrate Nitrogen (NO3-N)	EPA 353.2	33.8	mg/L
		Ammonia Nitrogen (NH3-N)	SM 4500-NH3 D,C	< 0.500	mg/L
		Soluble Salts (SALT-SOL)	Calculation	510	mg/L

Laboratory Quality Control	LCS %	MS %	MSD %	RPD %
Ammonia Nitrogen (NH3-N)	91.2	91.0 (T3362002A)	93.4 (T3362002A)	2.60
Electrical Conductivity (EC)	97.0			0.019
Nitrate Nitrogen (NO3-N)	100	155 (T3362002A)	150 (T3362002A)	3.10

The warranty of Denele Analytical is limited to the accuracy of the analyses of the samples as received. Denele Analytical assumes no responsibility for which the customer uses our test results, nor liability for any other warranties, express or implied. These terms and conditions shall supercede any conflicting terms and conditions submitted on customer purchase orders or other forms submitted for work.

ELAP Certificate No.: 2714

Denele Analytical, Inc.

865 South Kilroy Avenue Turlock, CA 95380
Phone (209) 634-9055 - Fax (209) 634-9057

www.denelelabs.com

40 N. East Street, Woodland, CA 95776
Phone (530) 666-9056 - Fax (530) 666-9058

Compliance Analysis Report

Customer
Double D Dairy
1441 E. Monte Vista
Ceres, CA 95307

Grower

Consultant:
F & R Ag Services
2857 Geer Rd. Ste A
Turlock, CA 95382

PURCHASE ORDER:
RECEIVED DATE: 12/28/23 9:00 AM
SUBMITTED BY: Sean
ANALYZED DATE: 12/28/23

Irrigation/ Ground Water (H1)
SOURCE: Well Water

NOTES: Temperature was above qualifying at 8.8c

Sample ID	Lab ID	Analyte	Method Ref	Result	Units
DW-New Well	T3362007C	Electrical Conductivity (EC)	EPA 120.1 and	0.602	mmhos/cm
		Nitrate Nitrogen (NO3-N)	EPA 353.2	0.666	mg/L
		Ammonia Nitrogen (NH3-N)	SM 4500-NH3 D,C	< 0.500	mg/L
		Soluble Salts (SALT-SOL)	Calculation	385	mg/L

Laboratory Quality Control	LCS %	MS %	MSD %	RPD %
Ammonia Nitrogen (NH3-N)	91.2	91.0 (T3362002A)	93.4 (T3362002A)	2.60
Electrical Conductivity (EC)	97.0			0.019
Nitrate Nitrogen (NO3-N)	100	155 (T3362002A)	150 (T3362002A)	3.10

The warranty of Denele Analytical is limited to the accuracy of the analyses of the samples as received. Denele Analytical assumes no responsibility for which the customer uses our test results, nor liability for any other warranties, express or implied. These terms and conditions shall supercede any conflicting terms and conditions submitted on customer purchase orders or other forms submitted for work.

Denele Analytical, Inc.

865 South Kilroy Avenue Turlock, CA 95380
Phone (209) 634-9055 - Fax (209) 634-9057

40 N. East Street, Woodland, CA 95776
Phone (530) 666-9056 - Fax (530) 666-9058

www.denelelabs.com

Compliance Analysis Report

Customer
Double D Dairy
1441 E. Monte Vista
Ceres, CA 95307

Grower

Consultant:
F & R Ag Services
2857 Geer Rd. Ste A
Turlock, CA 95382

PURCHASE ORDER:
RECEIVED DATE: 12/28/23 9:00 AM
SUBMITTED BY: Sean
ANALYZED DATE: 12/28/23

Irrigation / Ground Water (H7)
SOURCE: Irrigation Water

NOTES: Temperature was above qualifying at 8.8c

Sample ID	Lab ID	Analyte	Method Ref	Result	Units
IW	T3362007D	Electrical Conductivity (EC)	EPA 120.1 and	0.679	mmhos/cm
		Ammonia Nitrogen (NH3-N)	SM 4500-NH3 D,C	< 0.500	mg/L
		Nitrate Nitrogen (NO3-N)	EPA 353.2	29.3	mg/L
		Total Dissolved Solids (TDS)	SM 2540 C-1997 and	340	mg/L
		Total Nitrogen (TN)	SM 4500-NH3 D,C	29.3	mg/L
		Soluble Salts (SALT-SOL)	Calculation	435	mg/L

Laboratory Quality Control	LCS %	MS %	MSD %	Sample mg/L	Dup mg/L	RPD %
Ammonia Nitrogen (NH3-N)	91.2	91.0 (T3362002A)	93.4 (T3362002A)			2.60
Electrical Conductivity (EC)	97.0			0.542 (T3362005A)	0.542 (Dup)	0.019
Nitrate Nitrogen (NO3-N)	104	105 (T3361023A)	103 (T3361023A)			1.64
Total Dissolved Solids (TDS)	104			560 (T3362017B)	595 (Dup)	6.06
Total Nitrogen (TN)	102			0.280 (T3353003G)	0.280 (null)	0.000

The warranty of Denele Analytical is limited to the accuracy of the analyses of the samples as received. Denele Analytical assumes no responsibility for which the customer uses our test results, nor liability for any other warranties, express or implied. These terms and conditions shall supercede any conflicting terms and conditions submitted on customer purchase orders or other forms submitted for work.

DENELE ANALYTICAL, INC.

865 S. KILROY
TURLOCK, CA 95380

PH# 209-634-9055 FAX# 209-634-9057

DAIRY COMPLIANCE

Client: DOUBLE D DAIRY
Mailing address:
(not facility address) CERES CA
Phone#:

Authorized Copy Released To: F+R AG
Sampled By: DOMINIC
Project ID: DOUBLE D JERSEYS

ANALYSIS TO BE COMPLETED:

IRRIGATION/GROUND WATER
- **H1** EC*, NO3-N, NH4-N*
- **H6** EC, TN, TDS
- **H7** Combination of H1 & H6
- **H14** EC, NO3-N, NH4-N, Ca, Mg, Na, Bicarb Carb, SO4, Cl, TDS

PROCESS WASTE WATER
- **H3** EC*, NH4-N, TKN, TP, K, TDS
- **H4** EC*, NO3-N, NH4-N, TKN, TP, K, TDS
- **H5** Ca, Mg, Na, Bicarb, Carb, SO4, Cl
- **H8** Combination of H3 &H5
- **H9** Combination of H4 &H5

TILE DRAIN
- **H2** EC*, NO3-N, TP, NH4-N*, TDS

** Required Field Measurement*

___ (Check here if performed)

DISCHARGE WATER
- **E1** EC*, Temp*, pH*, NO3-N, NH4-N, TKN, TP, K, TDS, Dissolved Oxygen*, BOD 5, TSS, Total & Fecal Coliforms
- **E2** EC,* Temp*, pH*, NO3-N, NH4-N*, Turbidity, TP, Dissolved Oxygen*, Total & Fecal Coliforms
- **E3** EC*, Temp*, pH*, NO3-N, NH4-N*, TP, Total & Fecal Coliforms
- **E4** EC*, Temp*, pH*, NO3-N, NH4-N*, Turbidity, TP, Total & Fecal Coliform

MANURE
- **M1** % Moisture
- **M3** TN TP, K, % Moisture
- **M4** Ca, Mg, Na, Bicarb, Carb, SO4, Cl, Ash
- **M7** Combination of M3 & M4

PLANT TISSUE
- **F18** % Moisture, Ash, TN, P, K, DM and as received
- **F18+** % Moisture, Ash, TN, P, K, DM and as received (Package also includes NIR DCAD)
- **F19+** % Moisture, TN (Package includes complete plant tissue analysis)

SOIL
- **K3** Soluble Phosphorus
- **K4** 1ft NO3, Organic Matter
- **K5** Pre-Plant (2ft NO3), Fall (1-2ft NO3), Fall (2-3ft NO3)
- **K6** 0-1ft EC, NO3, Soluble P, K, Organic Matter
- **K7** Combination of K3 & K4
- **K8** Combination of K3 & K5

	Date Collected	Time Collected	Sample ID	Description	Temp	Well Purge	H1	H3	M3	F18	OTHER
1	12/27/23	12:00	DW-WELL BY GREGS	DOMESTIC	8.6°C		X				
2	|	12:05	DW-OLD WELL BY SHOP	|	8.6°C		X				
3	|	12:10	DW- NEW WELL	|	8.8°C		X				
4		12:15	[redacted] IW	AG WELL	8.8°C						H7
5											
6											
7											
8											
9											
10											

Analysis

CHAIN OF CUSTODY RECORDING

	Signature	Company	Received Date & Time	Relinquished Date & Time	Logged in By:	LABORATORY NUMBER
1st		F+R				
2nd		DENELE ANALYTICAL, INC.	12-28-23 9:00			T3362007

(LABORATORY USE ONLY)

Required to be submitted to any agency? (YES / NO)

2023 Double D Jerseys Annual Report

Final Audit Report 2024-05-22

Created:	2024-05-22
By:	Sean Locke (slocke@fragservices.com)
Status:	Signed
Transaction ID:	CBJCHBCAABAA_n-KVdmeFqQ1sjoaLwonpBxAw2NLqd8f

"2023 Double D Jerseys Annual Report" History

Document created by Sean Locke (slocke@fragservices.com)
2024-05-22 - 4:22:21 PM GMT

Document emailed to farmmerjon@gmail.com for signature
2024-05-22 - 4:23:23 PM GMT

Email viewed by farmmerjon@gmail.com
2024-05-22 - 4:23:31 PM GMT

Signer farmmerjon@gmail.com entered name at signing as Jon Fletcher
2024-05-22 - 4:25:32 PM GMT

Document e-signed by Jon Fletcher (farmmerjon@gmail.com)
Signature Date: 2024-05-22 - 4:25:34 PM GMT - Time Source: server

Document emailed to doubledholsteins@yahoo.com for signature
2024-05-22 - 4:25:35 PM GMT

Email viewed by doubledholsteins@yahoo.com
2024-05-22 - 4:30:55 PM GMT

Signer doubledholsteins@yahoo.com entered name at signing as Dominic Assali
2024-05-22 - 4:32:36 PM GMT

Document e-signed by Dominic Assali (doubledholsteins@yahoo.com)
Signature Date: 2024-05-22 - 4:32:38 PM GMT - Time Source: server

Agreement completed.
2024-05-22 - 4:32:38 PM GMT