Annual Report - General Order No. R5-2007-0035
Reporting period 01/01/2023 to 12/31/2023.

DAIRY FACILITY INFORMATION

A. NAME OF DAIRY OR BUSINESS OPERATING THE DAIRY: MB Lucky Lady

Physical address of dairy:

Number and Street	City	County	Zip Code
1218 W Keyes RD	Modesto	Stanislaus	95358

Street and nearest cross street (if no address):

Date facility was originally placed in operation: 01/01/1920

Regional Water Quality Control Board Basin Plan designation: San Joaquin River Basin

County Assessor Parcel Number(s) for dairy facility:

X041-X044-X001-XXXX

B. OPERATORS

Borba, Diane K

Operator name: Borba, Diane K

Telephone no.: (209) 531-0202 (Landline) (Cellular)

Mailing Address Number and Street	City	State	Zip Code
2323 W Keyes RD	Modesto	CA	95358

Borba, Frank A

Operator name: Borba, Frank A

Telephone no.: (209) 531-0202 (Landline) (209) 531-8702 (Cellular)

Mailing Address Number and Street	City	State	Zip Code
2323 W Keyes RD	Modesto	CA	95358

This operator is responsible for paying permit fees.

C. OWNERS

Borba, Diane K

Legal owner name: Borba, Diane K

Telephone no.: (209) 531-0202 (Landline) (Cellular)

Mailing Address Number and Street	City	State	Zip Code
2323 W Keyes RD	Modesto	CA	95358

Borba, Frank A

Legal owner name:	Borba, Frank A	Telephone no.:	(209) 531-0202	(209) 531-8702
			Landline	Cellular
2323 W Keyes RD	Modesto		CA	95358
Mailing Address Number and Street	City		State	Zip Code

This owner is responsible for paying permit fees.

Annual Report - General Order No. R5-2007-0035
Reporting period 01/01/2023 to 12/31/2023.

AVAILABLE NUTRIENTS

A. HERD INFORMATION

	Milk Cows	Dry Cows	Bred Heifers (15-24 mo.)	Heifers (7-14 mo. to breeding)	Calves (4-6 mo.)	Calves (0-3 mo.)
Number open confinement	0	130	295	165	95	120
Number under roof	675	0	0	0	0	0
Maximum number	675	130	295	165	95	120
Average number	675	130	295	165	95	120
Avg live weight (lbs)	1,400	1,450	950	700		

Predominant milk cow breed: Holstein

Average milk production: 77 *pounds per cow per day*

B. MANURE GENERATED

Total manure excreted by the herd: 25,115.14 *tons per reporting period*

Total nitrogen from manure: 311,997.39 *lbs per reporting period*

After ammonia losses (30% loss applied): 218,398.17 *lbs per reporting period*

Total phosphorus from manure: 50,954.38 *lbs per reporting period*

Total potassium from manure: 132,373.05 *lbs per reporting period*

Total salt from manure: 347,717.25 *lbs per reporting period*

C. PROCESS WASTEWATER GENERATED

Process wastewater generated: 39,780,000 *gallons*

Total nitrogen generated: 174,361.51 *lbs*

Total phosphorus generated: 23,763.97 *lbs*

Total potassium generated: 303,792.21 *lbs*

Total salt generated: 1,871,308.67 *lbs*

	30,690,000	*gallons applied*
+	9,090,000	*gallons exported*
-	0	*gallons imported*
=	39,780,000	*gallons generated*

D. FRESH WATER SOURCES

Source Description	Type
IW - Apple	Ground water
IW - Jorge	Ground water
TID Lateral 2.5	Surface water

E. SUBSURFACE (TILE) DRAINAGE SOURCES

No subsurface (tile) drainage sources entered.

F. NUTRIENT IMPORTS

Date	Material type / Description	Quantity	Reporting basis	Moist. (%)	N (mg/kg)	P (mg/kg)	K (mg/kg)	Salt (mg/kg)	TFS (%)
04/17/2023	Corral solids *Corral Manure - IMported froM Borba & sons*	720.00 *ton*	Dry-weight	34.8	21,800.00	4,930.00	6,690.00		57.30

No process wastewater nutrient imports entered.

Date	Material type / Description	Quantity	Reporting basis	Moisture (%)	N (%)	P (%)	K (%)	Salt (%)
05/26/2023	Solid commercial fertilizer *CAN17*	50.30 *ton*	Dry-weight	0.1	17.000000	0.000000	0.000000	0.000000
06/04/2023	Solid commercial fertilizer *4-0-0*	23.90 *ton*	Dry-weight	0.1	4.000000	0.000000	0.000000	0.000000
07/05/2023	Solid commercial fertilizer *UN32*	18.48 *ton*	Dry-weight	0.1	32.000000	0.000000	0.000000	0.000000

Material type	Total N (lbs)	Total P (lbs)	Total K (lbs)	Total salt (lbs)
Commercial fertilizer / Other	30,810.36	0.00	0.00	0.00
Dry manure	20,467.58	4,628.68	6,281.11	537,978.24
Process wastewater	0.00	0.00	0.00	0.00
Total imports for all materials	51,277.94	4,628.68	6,281.11	537,978.24

G. NUTRIENT EXPORTS

No solid nutrient exports entered.

Date	Material type	Quantity	Kjeldahl-N (mg/L)	Ammonium-N (mg/L)	Ammonia-N (mg/L)	Nitrate-N (mg/L)	P (mg/L)	K (mg/L)	EC (µmhos/cm)	TDS (mg/L)
04/12/2023	Process wastewater	1,800,000.00 *gal*	770.00	431.00	0.00	0.00	91.70	1,020.00		6,310
05/21/2023	Process wastewater	1,890,000.00 *gal*	770.00	431.00	0.00	0.00	91.70	1,020.00		6,310
07/20/2023	Process wastewater	1,800,000.00 *gal*	272.00	210.00	0.00	0.00	37.40	696.00		4,500
08/15/2023	Process wastewater	1,710,000.00 *gal*	272.00	210.00	0.00	0.00	37.40	696.00		4,500
10/11/2023	Process wastewater	1,890,000.00 *gal*	717.00	409.00	0.00	0.00	83.50	868.00		6,960

Material type	Total N (lbs)	Total P (lbs)	Total K (lbs)	Total salt (lbs)
Dry manure	0.00	0.00	0.00	0.00
Process wastewater	42,986.35	5,236.17	65,485.55	435,886.89

Total exports for all materials	42,986.35	5,236.17	65,485.55	435,886.89

APPLICATION AREA

A. LIST OF LAND APPLICATION AREAS

Field name	Controlled acres	Cropable acres	Total harvests	Type of waste applied	Parcel number
Apple Ranch Field	80	80	2	both	X041-X025-X004-XXXX
Dairy Field	56	56	2	process wastewater	X041-X044-X001-XXXX
Dias Field	47	47	1	manure	X017-X041-X015-XXXX
House Field	80	80	1	manure	X017-X053-X014-XXXX
Jorge Field	96	96	1	manure	X017-X052-X017-XXXX
Martin	8	8	2	manure	X041-X001-X022-XXXX
Mom's Place Field	77	77	2	process wastewater	X041-X044-X003-XXXX
Pedro	80	80	1	manure	X041-X025-X002-XXXX
Redwood	38	38	1	none	X041-X001-X009-XXXX
Wagner 1, 3	18	18	2	manure	X041-X042-X003-XXXX
Wagner 2, 5	38	38	1	manure	X041-X042-X003-XXXX
Wagner 4	13	13	1	manure	X041-X042-X003-XXXX
Totals for areas that were used for application	593	593	16		
Totals for areas that were not used for application	38	38	1		
Land application area totals	631	631	17		

B. CROPS AND HARVESTS

Apple Ranch Field

Field name: Apple Ranch Field

10/20/2022: Oats, silage-soft dough

Crop: Oats, silage-soft dough Acres planted: 80 Plant date: 10/20/2022

Harvest date	Yield	Reporting basis	Density (lbs/cu ft)	Moisture (%)	N (mg/kg)	P (mg/kg)	K (mg/kg)	Salt (mg/kg)	TFS (%)
05/15/2023	1,458.83 *ton*	As-is		72.8	5,790.00	1,120.00	9,020.00		10.90

	Yield (tons/acre)	Total N (lbs/acre)	Total P (lbs/acre)	Total K (lbs/acre)	Salt (lbs/acre)
Anticipated harvest content	16.00	160.00	25.60	132.80	0.00
Total actual harvest content	18.24	211.17	40.85	328.97	1,081.28

Apple Ranch Field

06/04/2023: Corn, silage

Crop: Corn, silage Acres planted: 80 Plant date: 06/04/2023

Harvest date	Yield	Reporting basis	Density (lbs/cu ft)	Moisture (%)	N (mg/kg)	P (mg/kg)	K (mg/kg)	Salt (mg/kg)	TFS (%)
09/29/2023	2,426.31 *ton*	As-is		69.6	3,250.00	630.00	5,870.00		6.50

	Yield (tons/acre)	Total N (lbs/acre)	Total P (lbs/acre)	Total K (lbs/acre)	Salt (lbs/acre)
Anticipated harvest content	28.00	224.00	42.00	184.80	0.00
Total actual harvest content	30.33	197.14	38.21	356.06	1,198.60

Dairy Field

Field name: Dairy Field

10/19/2022: Oats, silage-soft dough

Crop: Oats, silage-soft dough Acres planted: 56 Plant date: 10/19/2022

Harvest date	Yield	Reporting basis	Density (lbs/cu ft)	Moisture (%)	N (mg/kg)	P (mg/kg)	K (mg/kg)	Salt (mg/kg)	TFS (%)
05/12/2023	855.77 *ton*	As-is		67.2	7,840.00	1,610.00	20,500.00		11.60

	Yield (tons/acre)	Total N (lbs/acre)	Total P (lbs/acre)	Total K (lbs/acre)	Salt (lbs/acre)
Anticipated harvest content	16.00	160.00	25.60	132.80	0.00
Total actual harvest content	15.28	239.62	49.21	626.55	1,162.87

06/03/2023: Corn, silage

Crop: Corn, silage Acres planted: 56 Plant date: 06/03/2023

Harvest date	Yield	Reporting basis	Density (lbs/cu ft)	Moisture (%)	N (mg/kg)	P (mg/kg)	K (mg/kg)	Salt (mg/kg)	TFS (%)
09/21/2023	1,698.59 *ton*	As-is		61.2	4,660.00	850.00	6,510.00		5.80

	Yield (tons/acre)	Total N (lbs/acre)	Total P (lbs/acre)	Total K (lbs/acre)	Salt (lbs/acre)
Anticipated harvest content	28.00	224.00	42.00	184.80	0.00
Total actual harvest content	30.33	282.69	51.56	394.92	1,365.18

Dias Field

Field name: Dias Field

10/13/2018: Alfalfa, hay

Crop: Alfalfa, hay Acres planted: 47 Plant date: 10/13/2018

Harvest date	Yield	Reporting basis	Density (lbs/cu ft)	Moisture (%)	N (mg/kg)	P (mg/kg)	K (mg/kg)	Salt (mg/kg)	TFS (%)
10/31/2023	435.00 *ton*	As-is		12.4	23,300.00	2,450.00	11,100.00		9.16

	Yield (tons/acre)	Total N (lbs/acre)	Total P (lbs/acre)	Total K (lbs/acre)	Salt (lbs/acre)
Anticipated harvest content	8.00	480.00	43.20	336.00	0.00
Total actual harvest content	9.26	431.30	45.35	205.47	1,485.32

House Field

Field name: House Field

02/12/2001: Almond, in shell

Crop: Almond, in shell Acres planted: 80 Plant date: 02/12/2001

Harvest date	Yield	Reporting basis	Density (lbs/cu ft)	Moisture (%)	N (mg/kg)	P (mg/kg)	K (mg/kg)	Salt (mg/kg)	TFS (%)
10/27/2023	532.20 *ton*	As-is		15.2	9,060.00	1,260.00	25,800.00		8.54

	Yield (tons/acre)	Total N (lbs/acre)	Total P (lbs/acre)	Total K (lbs/acre)	Salt (lbs/acre)
Anticipated harvest content	6.00	258.00	43.80	279.00	0.00
Total actual harvest content	6.65	120.54	16.76	343.27	963.54

Jorge Field

Field name: Jorge Field

Jorge Field

02/10/2013: Almond, in shell

Crop: Almond, in shell Acres planted: 96 Plant date: 02/10/2013

Harvest date	Yield	Reporting basis	Density (lbs/cu ft)	Moisture (%)	N (mg/kg)	P (mg/kg)	K (mg/kg)	Salt (mg/kg)	TFS (%)
10/20/2023	654.40 *ton*	As-is		16.0	12,100.00	1,570.00	29,300.00		11.20

	Yield (tons/acre)	Total N (lbs/acre)	Total P (lbs/acre)	Total K (lbs/acre)	Salt (lbs/acre)
Anticipated harvest content	6.00	258.00	43.80	279.00	0.00
Total actual harvest content	6.82	164.96	21.40	399.46	1,282.62

Martin

Field name: Martin

10/18/2022: Oats, silage-soft dough

Crop: Oats, silage-soft dough Acres planted: 8 Plant date: 10/18/2022

Harvest date	Yield	Reporting basis	Density (lbs/cu ft)	Moisture (%)	N (mg/kg)	P (mg/kg)	K (mg/kg)	Salt (mg/kg)	TFS (%)
05/15/2023	119.44 *ton*	As-is		56.7	4,420.00	1,020.00	5,560.00		20.80

	Yield (tons/acre)	Total N (lbs/acre)	Total P (lbs/acre)	Total K (lbs/acre)	Salt (lbs/acre)
Anticipated harvest content	16.00	160.00	25.60	132.80	0.00
Total actual harvest content	14.93	131.98	30.46	166.02	2,689.31

06/03/2023: Corn, silage

Crop: Corn, silage Acres planted: 8 Plant date: 06/03/2023

Harvest date	Yield	Reporting basis	Density (lbs/cu ft)	Moisture (%)	N (mg/kg)	P (mg/kg)	K (mg/kg)	Salt (mg/kg)	TFS (%)
09/28/2023	200.26 *ton*	As-is		64.6	3,680.00	860.00	4,120.00		4.90

	Yield (tons/acre)	Total N (lbs/acre)	Total P (lbs/acre)	Total K (lbs/acre)	Salt (lbs/acre)
Anticipated harvest content	28.00	224.00	42.00	184.80	0.00
Total actual harvest content	25.03	184.24	43.06	206.27	868.43

Mom's Place Field

Field name: Mom's Place Field

10/19/2022: Oats, silage-soft dough

Crop: Oats, silage-soft dough Acres planted: 77 Plant date: 10/19/2022

Harvest date	Yield	Reporting basis	Density (lbs/cu ft)	Moisture (%)	N (mg/kg)	P (mg/kg)	K (mg/kg)	Salt (mg/kg)	TFS (%)
05/12/2023	1,220.71 *ton*	As-is		68.2	7,890.00	1,370.00	17,700.00		10.30

	Yield (tons/acre)	Total N (lbs/acre)	Total P (lbs/acre)	Total K (lbs/acre)	Salt (lbs/acre)
Anticipated harvest content	16.00	160.00	25.60	132.80	0.00
Total actual harvest content	15.85	250.17	43.44	561.21	1,038.52

06/03/2023: Corn, silage

Crop: Corn, silage Acres planted: 77 Plant date: 06/03/2023

Harvest date	Yield	Reporting basis	Density (lbs/cu ft)	Moisture (%)	N (mg/kg)	P (mg/kg)	K (mg/kg)	Salt (mg/kg)	TFS (%)
09/28/2023	1,953.24 *ton*	As-is		44.8	7,290.00	1,500.00	14,600.00		7.50

	Yield (tons/acre)	Total N (lbs/acre)	Total P (lbs/acre)	Total K (lbs/acre)	Salt (lbs/acre)
Anticipated harvest content	28.00	224.00	42.00	184.80	0.00
Total actual harvest content	25.37	369.85	76.10	740.71	2,100.37

Pedro

Field name: Pedro

02/02/2015: Almond, in shell

Crop: Almond, in shell Acres planted: 78 Plant date: 02/02/2015

Harvest date	Yield	Reporting basis	Density (lbs/cu ft)	Moisture (%)	N (mg/kg)	P (mg/kg)	K (mg/kg)	Salt (mg/kg)	TFS (%)
09/20/2023	529.40 *ton*	As-is		15.6	9,440.00	1,430.00	18,900.00		8.20

	Yield (tons/acre)	Total N (lbs/acre)	Total P (lbs/acre)	Total K (lbs/acre)	Salt (lbs/acre)
Anticipated harvest content	6.00	258.00	43.80	279.00	0.00
Total actual harvest content	6.79	128.14	19.41	256.56	939.45

Redwood

Field name: Redwood

10/09/2020: Almond, in shell

Crop: Almond, in shell Acres planted: 38 Plant date: 10/09/2020

Harvest date	Yield	Reporting basis	Density (lbs/cu ft)	Moisture (%)	N (mg/kg)	P (mg/kg)	K (mg/kg)	Salt (mg/kg)	TFS (%)
12/31/2023	155.80 *ton*	As-is		15.2	9,220.00	1,630.00	33,800.00		12.40

	Yield (tons/acre)	Total N (lbs/acre)	Total P (lbs/acre)	Total K (lbs/acre)	Salt (lbs/acre)
Anticipated harvest content	4.00	172.00	29.20	186.00	0.00
Total actual harvest content	4.10	75.60	13.37	277.16	862.25

Wagner 1, 3

Field name: Wagner 1, 3

10/18/2022: Oats, silage-soft dough

Crop: Oats, silage-soft dough Acres planted: 18 Plant date: 10/18/2022

Harvest date	Yield	Reporting basis	Density (lbs/cu ft)	Moisture (%)	N (mg/kg)	P (mg/kg)	K (mg/kg)	Salt (mg/kg)	TFS (%)
05/15/2023	288.96 *ton*	As-is		59.2	4,280.00	850.00	6,380.00		6.74

	Yield (tons/acre)	Total N (lbs/acre)	Total P (lbs/acre)	Total K (lbs/acre)	Salt (lbs/acre)
Anticipated harvest content	16.00	160.00	25.60	132.80	0.00
Total actual harvest content	16.05	137.42	27.29	204.84	882.91

06/03/2023: Corn, silage

Crop: Corn, silage Acres planted: 18 Plant date: 06/03/2023

Harvest date	Yield	Reporting basis	Density (lbs/cu ft)	Moisture (%)	N (mg/kg)	P (mg/kg)	K (mg/kg)	Salt (mg/kg)	TFS (%)
09/28/2023	578.00 *ton*	As-is		62.0	3,910.00	960.00	5,430.00		7.00

	Yield (tons/acre)	Total N (lbs/acre)	Total P (lbs/acre)	Total K (lbs/acre)	Salt (lbs/acre)
Anticipated harvest content	28.00	224.00	42.00	184.80	0.00
Total actual harvest content	32.11	251.11	61.65	348.73	1,708.31

Wagner 2, 5

Field name: Wagner 2, 5

02/06/2013: Almond, in shell

Crop: Almond, in shell Acres planted: 38 Plant date: 02/06/2013

Harvest date	Yield	Reporting basis	Density (lbs/cu ft)	Moisture (%)	N (mg/kg)	P (mg/kg)	K (mg/kg)	Salt (mg/kg)	TFS (%)
10/01/2023	259.30 *ton*	As-is		15.6	10,100.00	1,640.00	27,600.00		11.90

	Yield (tons/acre)	Total N (lbs/acre)	Total P (lbs/acre)	Total K (lbs/acre)	Salt (lbs/acre)
Anticipated harvest content	6.00	258.00	43.80	279.00	0.00
Total actual harvest content	6.82	137.84	22.38	376.67	1,370.69

Wagner 4

Field name: Wagner 4

02/04/2005: Almond, in shell

Crop: Almond, in shell Acres planted: 13 Plant date: 02/04/2005

Harvest date	Yield	Reporting basis	Density (lbs/cu ft)	Moisture (%)	N (mg/kg)	P (mg/kg)	K (mg/kg)	Salt (mg/kg)	TFS (%)
10/25/2023	85.60 *ton*	As-is		15.6	10,100.00	1,640.00	27,600.00		11.90

	Yield (tons/acre)	Total N (lbs/acre)	Total P (lbs/acre)	Total K (lbs/acre)	Salt (lbs/acre)
Anticipated harvest content	6.00	258.00	43.80	279.00	0.00
Total actual harvest content	6.58	133.01	21.60	363.47	1,322.66

NUTRIENT BUDGET

A. LAND APPLICATIONS

Apple Ranch Field - 10/20/2022: Oats, silage-soft dough

Field name: Apple Ranch Field

Crop: Oats, silage-soft dough — Plant date: 10/20/2022

Application date	Application method	Precipitation 24 hours prior	Precipitation during application	Precipitation 24 hours following
09/12/2022	Broadcast/incorporate	No precipitation	No precipitation	No precipitation

Source description	Material type	N (lbs/acre)	P (lbs/acre)	K (lbs/acre)	Salt (lbs/acre)	Amount
Settling Basin	Separator solids	36.72	8.19	12.02	565.86	340.00 *ton*
Application event totals		36.72	8.19	12.02	565.86	

Application date	Application method	Precipitation 24 hours prior	Precipitation during application	Precipitation 24 hours following
10/01/2022	Surface (irrigation)	No precipitation	No precipitation	No precipitation

Source description	Material type	N (lbs/acre)	P (lbs/acre)	K (lbs/acre)	Salt (lbs/acre)	Amount
WWS	Process wastewater	118.68	21.49	242.50	1,309.08	1,890,000.00 *gal*
TID Lateral 2.5	Surface water	0.00	0.00	0.00	0.00	7,560,000.00 *gal*
Application event totals		118.68	21.49	242.50	1,309.08	

Application date	Application method	Precipitation 24 hours prior	Precipitation during application	Precipitation 24 hours following
04/13/2023	Surface (irrigation)	No precipitation	No precipitation	No precipitation

Source description	Material type	N (lbs/acre)	P (lbs/acre)	K (lbs/acre)	Salt (lbs/acre)	Amount
WWS	Process wastewater	144.58	17.22	191.52	1,184.78	1,800,000.00 *gal*
TID Lateral 2.5	Surface water	0.00	0.00	0.00	15.77	7,200,000.00 *gal*
Application event totals		144.58	17.22	191.52	1,200.55	

Apple Ranch Field - 06/04/2023: Corn, silage

Field name: Apple Ranch Field

Crop: Corn, silage — Plant date: 06/04/2023

Application date	Application method	Precipitation 24 hours prior	Precipitation during application	Precipitation 24 hours following

Apple Ranch Field - 06/04/2023: Corn, silage

Application date	Application method	Precipitation 24 hours prior	Precipitation during application	Precipitation 24 hours following
05/20/2023	Surface (irrigation)	No precipitation	No precipitation	No precipitation

Source description	Material type	N (lbs/acre)	P (lbs/acre)	K (lbs/acre)	Salt (lbs/acre)	Amount
WWS	Process wastewater	173.49	20.66	229.82	1,421.74	2,160,000.00 *gal*
TID Lateral 2.5	Surface water	0.00	0.00	0.00	19.72	9,000,000.00 *gal*
Application event totals		173.49	20.66	229.82	1,441.45	

06/04/2023	Sidedress	No precipitation	No precipitation	No precipitation

Source description	Material type	N (lbs/acre)	P (lbs/acre)	K (lbs/acre)	Salt (lbs/acre)	Amount
4-0-0	Solid commercial fertilizer	8.00	0.00	0.00	0.00	
Application event totals		8.00	0.00	0.00	0.00	

07/08/2023	Surface (irrigation)	No precipitation	No precipitation	No precipitation

Source description	Material type	N (lbs/acre)	P (lbs/acre)	K (lbs/acre)	Salt (lbs/acre)	Amount
TID Lateral 2.5	Surface water	0.00	0.00	0.00	23.66	10,800,000.00 *gal*
Application event totals		0.00	0.00	0.00	23.66	

07/20/2023	Surface (irrigation)	No precipitation	No precipitation	No precipitation

Source description	Material type	N (lbs/acre)	P (lbs/acre)	K (lbs/acre)	Salt (lbs/acre)	Amount
WWS	Process wastewater	56.18	7.72	143.75	929.42	1,980,000.00 *gal*
TID Lateral 2.5	Surface water	0.00	0.00	0.00	17.35	7,920,000.00 *gal*
Application event totals		56.18	7.72	143.75	946.77	

08/02/2023	Surface (irrigation)	No precipitation	No precipitation	No precipitation

Source description	Material type	N (lbs/acre)	P (lbs/acre)	K (lbs/acre)	Salt (lbs/acre)	Amount
TID Lateral 2.5	Surface water	0.00	0.00	0.00	22.87	10,440,000.00 *gal*
Application event totals		0.00	0.00	0.00	22.87	

Apple Ranch Field - 06/04/2023: Corn, silage

Application date	Application method	Precipitation 24 hours prior	Precipitation during application	Precipitation 24 hours following
08/15/2023	Surface (irrigation)	No precipitation	No precipitation	No precipitation

Source description	Material type	N (lbs/acre)	P (lbs/acre)	K (lbs/acre)	Salt (lbs/acre)	Amount
WWS	Process wastewater	53.62	7.37	137.22	887.18	1,890,000.00 *gal*
TID Lateral 2.5	Surface water	0.00	0.00	0.00	16.56	7,560,000.00 *gal*
Application event totals		53.62	7.37	137.22	903.74	

Application date	Application method	Precipitation 24 hours prior	Precipitation during application	Precipitation 24 hours following
08/31/2023	Surface (irrigation)	No precipitation	No precipitation	No precipitation

Source description	Material type	N (lbs/acre)	P (lbs/acre)	K (lbs/acre)	Salt (lbs/acre)	Amount
TID Lateral 2.5	Surface water	0.00	0.00	0.00	22.87	10,440,000.00 *gal*
Application event totals		0.00	0.00	0.00	22.87	

Application date	Application method	Precipitation 24 hours prior	Precipitation during application	Precipitation 24 hours following
09/11/2023	Surface (irrigation)	No precipitation	No precipitation	No precipitation

Source description	Material type	N (lbs/acre)	P (lbs/acre)	K (lbs/acre)	Salt (lbs/acre)	Amount
TID Lateral 2.5	Surface water	0.00	0.00	0.00	22.08	10,080,000.00 *gal*
Application event totals		0.00	0.00	0.00	22.08	

Dairy Field - 10/19/2022: Oats, silage-soft dough

Field name: Dairy Field

Crop: Oats, silage-soft dough

Plant date: 10/19/2022

Application date	Application method	Precipitation 24 hours prior	Precipitation during application	Precipitation 24 hours following
09/30/2022	Surface (irrigation)	No precipitation	No precipitation	No precipitation

Source description	Material type	N (lbs/acre)	P (lbs/acre)	K (lbs/acre)	Salt (lbs/acre)	Amount
WWS	Process wastewater	121.11	21.93	247.44	1,335.80	1,350,000.00 *gal*
TID Lateral 2.5	Surface water	0.00	0.00	0.00	0.00	6,075,000.00 *gal*
Application event totals		121.11	21.93	247.44	1,335.80	

Dairy Field - 10/19/2022: Oats, silage-soft dough

Application date	Application method	Precipitation 24 hours prior	Precipitation during application	Precipitation 24 hours following
12/13/2022	Surface (irrigation)	No precipitation	No precipitation	No precipitation

Source description	Material type	N (lbs/acre)	P (lbs/acre)	K (lbs/acre)	Salt (lbs/acre)	Amount
WWS	Process wastewater	80.74	14.62	164.96	890.53	900,000.00 *gal*
Application event totals		80.74	14.62	164.96	890.53	

Application date	Application method	Precipitation 24 hours prior	Precipitation during application	Precipitation 24 hours following
04/16/2023	Surface (irrigation)	No precipitation	No precipitation	No precipitation

Source description	Material type	N (lbs/acre)	P (lbs/acre)	K (lbs/acre)	Salt (lbs/acre)	Amount
WWS	Process wastewater	134.25	15.99	177.84	1,100.15	1,170,000.00 *gal*
TID Lateral 2.5	Surface water	0.00	0.00	0.00	16.48	5,265,000.00 *gal*
Application event totals		134.25	15.99	177.84	1,116.63	

Dairy Field - 06/03/2023: Corn, silage

Field name: Dairy Field

Crop: Corn, silage

Plant date: 06/03/2023

Application date	Application method	Precipitation 24 hours prior	Precipitation during application	Precipitation 24 hours following
05/24/2023	Surface (irrigation)	No precipitation	No precipitation	No precipitation

Source description	Material type	N (lbs/acre)	P (lbs/acre)	K (lbs/acre)	Salt (lbs/acre)	Amount
WWS	Process wastewater	160.07	19.06	212.04	1,311.72	1,395,000.00 *gal*
TID Lateral 2.5	Surface water	0.00	0.00	0.00	19.64	6,277,500.00 *gal*
Application event totals		160.07	19.06	212.04	1,331.37	

Application date	Application method	Precipitation 24 hours prior	Precipitation during application	Precipitation 24 hours following
06/03/2023	Sidedress	No precipitation	No precipitation	No precipitation

Source description	Material type	N (lbs/acre)	P (lbs/acre)	K (lbs/acre)	Salt (lbs/acre)	Amount
4-0-0	Solid commercial fertilizer	8.00	0.00	0.00	0.00	
Application event totals		8.00	0.00	0.00	0.00	

Dairy Field - 06/03/2023: Corn, silage

Application date	Application method	Precipitation 24 hours prior	Precipitation during application	Precipitation 24 hours following
07/07/2023	Surface (irrigation)	No precipitation	No precipitation	No precipitation

Source description	Material type	N (lbs/acre)	P (lbs/acre)	K (lbs/acre)	Salt (lbs/acre)	Amount
TID Lateral 2.5	Surface water	0.00	0.00	0.00	22.81	7,290,000.00 *gal*
Application event totals		0.00	0.00	0.00	22.81	

07/19/2023	Surface (irrigation)	No precipitation	No precipitation	No precipitation

Source description	Material type	N (lbs/acre)	P (lbs/acre)	K (lbs/acre)	Salt (lbs/acre)	Amount
WWS	Process wastewater	54.72	7.52	140.02	905.28	1,350,000.00 *gal*
TID Lateral 2.5	Surface water	0.00	0.00	0.00	19.01	6,075,000.00 *gal*
Application event totals		54.72	7.52	140.02	924.29	

08/01/2023	Surface (irrigation)	No precipitation	No precipitation	No precipitation

Source description	Material type	N (lbs/acre)	P (lbs/acre)	K (lbs/acre)	Salt (lbs/acre)	Amount
WWS	Process wastewater	54.72	7.52	140.02	905.28	1,350,000.00 *gal*
TID Lateral 2.5	Surface water	0.00	0.00	0.00	19.01	6,075,000.00 *gal*
Application event totals		54.72	7.52	140.02	924.29	

08/14/2023	Surface (irrigation)	No precipitation	No precipitation	No precipitation

Source description	Material type	N (lbs/acre)	P (lbs/acre)	K (lbs/acre)	Salt (lbs/acre)	Amount
TID Lateral 2.5	Surface water	0.00	0.00	0.00	22.18	7,087,500.00 *gal*
Application event totals		0.00	0.00	0.00	22.18	

08/30/2023	Surface (irrigation)	No precipitation	No precipitation	No precipitation

Source description	Material type	N (lbs/acre)	P (lbs/acre)	K (lbs/acre)	Salt (lbs/acre)	Amount
WWS	Process wastewater	54.72	7.52	140.02	905.28	1,350,000.00 *gal*
TID Lateral 2.5	Surface water	0.00	0.00	0.00	19.01	6,075,000.00 *gal*
Application event totals		54.72	7.52	140.02	924.29	

Dairy Field - 06/03/2023: Corn, silage

Application date	Application method	Precipitation 24 hours prior	Precipitation during application	Precipitation 24 hours following
09/10/2023	Surface (irrigation)	No precipitation	No precipitation	No precipitation

Source description	Material type	N (lbs/acre)	P (lbs/acre)	K (lbs/acre)	Salt (lbs/acre)	Amount
TID Lateral 2.5	Surface water	0.00	0.00	0.00	22.18	7,087,500.00 *gal*
Application event totals		0.00	0.00	0.00	22.18	

Dias Field - 10/13/2018: Alfalfa, hay

Field name: Dias Field

Crop: Alfalfa, hay

Plant date: 10/13/2018

Application date	Application method	Precipitation 24 hours prior	Precipitation during application	Precipitation 24 hours following
10/07/2022	Surface (irrigation)	No precipitation	No precipitation	No precipitation

Source description	Material type	N (lbs/acre)	P (lbs/acre)	K (lbs/acre)	Salt (lbs/acre)	Amount
TID Lateral 2.5	Surface water	0.00	0.00	0.00	0.00	5,760,000.00 *gal*
Application event totals		0.00	0.00	0.00	0.00	

Application date	Application method	Precipitation 24 hours prior	Precipitation during application	Precipitation 24 hours following
04/17/2023	Broadcast/incorporate	No precipitation	No precipitation	No precipitation

Source description	Material type	N (lbs/acre)	P (lbs/acre)	K (lbs/acre)	Salt (lbs/acre)	Amount
Corral Manure	Corral solids	435.48	98.48	133.64	11,446.35	720.00 *ton*
Application event totals		435.48	98.48	133.64	11,446.35	

Application date	Application method	Precipitation 24 hours prior	Precipitation during application	Precipitation 24 hours following
04/17/2023	Surface (irrigation)	No precipitation	No precipitation	No precipitation

Source description	Material type	N (lbs/acre)	P (lbs/acre)	K (lbs/acre)	Salt (lbs/acre)	Amount
TID Lateral 2.5	Surface water	0.00	0.00	0.00	19.69	5,280,000.00 *gal*
Application event totals		0.00	0.00	0.00	19.69	

Application date	Application method	Precipitation 24 hours prior	Precipitation during application	Precipitation 24 hours following
05/13/2023	Surface (irrigation)	No precipitation	No precipitation	No precipitation

Source description	Material type	N (lbs/acre)	P (lbs/acre)	K (lbs/acre)	Salt (lbs/acre)	Amount
TID Lateral 2.5	Surface water	0.00	0.00	0.00	19.69	5,280,000.00 *gal*
Application event totals		0.00	0.00	0.00	19.69	

Dias Field - 10/13/2018: Alfalfa, hay

Application date	Application method	Precipitation 24 hours prior	Precipitation during application	Precipitation 24 hours following
06/06/2023	Surface (irrigation)	No precipitation	No precipitation	No precipitation

Source description	Material type	N (lbs/acre)	P (lbs/acre)	K (lbs/acre)	Salt (lbs/acre)	Amount
TID Lateral 2.5	Surface water	0.00	0.00	0.00	20.58	5,520,000.00 *gal*
Application event totals		0.00	0.00	0.00	20.58	

Application date	Application method	Precipitation 24 hours prior	Precipitation during application	Precipitation 24 hours following
06/23/2023	Surface (irrigation)	No precipitation	No precipitation	No precipitation

Source description	Material type	N (lbs/acre)	P (lbs/acre)	K (lbs/acre)	Salt (lbs/acre)	Amount
TID Lateral 2.5	Surface water	0.00	0.00	0.00	20.58	5,520,000.00 *gal*
Application event totals		0.00	0.00	0.00	20.58	

Application date	Application method	Precipitation 24 hours prior	Precipitation during application	Precipitation 24 hours following
07/12/2023	Surface (irrigation)	No precipitation	No precipitation	No precipitation

Source description	Material type	N (lbs/acre)	P (lbs/acre)	K (lbs/acre)	Salt (lbs/acre)	Amount
TID Lateral 2.5	Surface water	0.00	0.00	0.00	21.48	5,760,000.00 *gal*
Application event totals		0.00	0.00	0.00	21.48	

Application date	Application method	Precipitation 24 hours prior	Precipitation during application	Precipitation 24 hours following
07/25/2023	Surface (irrigation)	No precipitation	No precipitation	No precipitation

Source description	Material type	N (lbs/acre)	P (lbs/acre)	K (lbs/acre)	Salt (lbs/acre)	Amount
TID Lateral 2.5	Surface water	0.00	0.00	0.00	20.58	5,520,000.00 *gal*
Application event totals		0.00	0.00	0.00	20.58	

Application date	Application method	Precipitation 24 hours prior	Precipitation during application	Precipitation 24 hours following
08/14/2023	Surface (irrigation)	No precipitation	No precipitation	No precipitation

Source description	Material type	N (lbs/acre)	P (lbs/acre)	K (lbs/acre)	Salt (lbs/acre)	Amount
TID Lateral 2.5	Surface water	0.00	0.00	0.00	20.58	5,520,000.00 *gal*
Application event totals		0.00	0.00	0.00	20.58	

Application date	Application method	Precipitation 24 hours prior	Precipitation during application	Precipitation 24 hours following
08/28/2023	Surface (irrigation)	No precipitation	No precipitation	No precipitation

Source description	Material type	N (lbs/acre)	P (lbs/acre)	K (lbs/acre)	Salt (lbs/acre)	Amount
TID Lateral 2.5	Surface water	0.00	0.00	0.00	19.69	5,280,000.00 *gal*
Application event totals		0.00	0.00	0.00	19.69	

Dias Field - 10/13/2018: Alfalfa, hay

Application date	Application method	Precipitation 24 hours prior	Precipitation during application	Precipitation 24 hours following
09/26/2023	Surface (irrigation)	No precipitation	No precipitation	No precipitation

Source description	Material type	N (lbs/acre)	P (lbs/acre)	K (lbs/acre)	Salt (lbs/acre)	Amount
TID Lateral 2.5	Surface water	0.00	0.00	0.00	19.69	5,280,000.00 *gal*
Application event totals		0.00	0.00	0.00	19.69	

House Field - 02/12/2001: Almond, in shell

Field name: House Field

Crop: Almond, in shell

Plant date: 02/12/2001

Application date	Application method	Precipitation 24 hours prior	Precipitation during application	Precipitation 24 hours following
11/02/2022	Broadcast/incorporate	No precipitation	No precipitation	No precipitation

Source description	Material type	N (lbs/acre)	P (lbs/acre)	K (lbs/acre)	Salt (lbs/acre)	Amount
Compost	Compost	57.50	20.77	15.73	1,133.35	160.00 *ton*
Application event totals		57.50	20.77	15.73	1,133.35	

03/02/2023	Sidedress	No precipitation	No precipitation	No precipitation

Source description	Material type	N (lbs/acre)	P (lbs/acre)	K (lbs/acre)	Salt (lbs/acre)	Amount
CAN17	Solid commercial fertilizer	34.00	0.00	0.00	0.00	
Application event totals		34.00	0.00	0.00	0.00	

04/18/2023	Sidedress	No precipitation	No precipitation	No precipitation

Source description	Material type	N (lbs/acre)	P (lbs/acre)	K (lbs/acre)	Salt (lbs/acre)	Amount
CAN17	Solid commercial fertilizer	34.00	0.00	0.00	0.00	
Application event totals		34.00	0.00	0.00	0.00	

04/19/2023	Surface (irrigation)	No precipitation	No precipitation	No precipitation

Source description	Material type	N (lbs/acre)	P (lbs/acre)	K (lbs/acre)	Salt (lbs/acre)	Amount
TID Lateral 2.5	Surface water	0.00	0.00	0.00	21.69	9,900,000.00 *gal*
Application event totals		0.00	0.00	0.00	21.69	

House Field - 02/12/2001: Almond, in shell

Application date	Application method	Precipitation 24 hours prior	Precipitation during application	Precipitation 24 hours following
05/22/2023	Sidedress	No precipitation	No precipitation	No precipitation

Source description	Material type	N (lbs/acre)	P (lbs/acre)	K (lbs/acre)	Salt (lbs/acre)	Amount
UN32	Solid commercial fertilizer	32.00	0.00	0.00	0.00	
Application event totals		32.00	0.00	0.00	0.00	

Application date	Application method	Precipitation 24 hours prior	Precipitation during application	Precipitation 24 hours following
05/23/2023	Surface (irrigation)	No precipitation	No precipitation	No precipitation

Source description	Material type	N (lbs/acre)	P (lbs/acre)	K (lbs/acre)	Salt (lbs/acre)	Amount
TID Lateral 2.5	Surface water	0.00	0.00	0.00	21.69	9,900,000.00 *gal*
Application event totals		0.00	0.00	0.00	21.69	

Application date	Application method	Precipitation 24 hours prior	Precipitation during application	Precipitation 24 hours following
06/22/2023	Surface (irrigation)	No precipitation	No precipitation	No precipitation

Source description	Material type	N (lbs/acre)	P (lbs/acre)	K (lbs/acre)	Salt (lbs/acre)	Amount
TID Lateral 2.5	Surface water	0.00	0.00	0.00	22.41	10,230,000.00 *gal*
Application event totals		0.00	0.00	0.00	22.41	

Application date	Application method	Precipitation 24 hours prior	Precipitation during application	Precipitation 24 hours following
07/18/2023	Surface (irrigation)	No precipitation	No precipitation	No precipitation

Source description	Material type	N (lbs/acre)	P (lbs/acre)	K (lbs/acre)	Salt (lbs/acre)	Amount
TID Lateral 2.5	Surface water	0.00	0.00	0.00	22.41	10,230,000.00 *gal*
Application event totals		0.00	0.00	0.00	22.41	

Application date	Application method	Precipitation 24 hours prior	Precipitation during application	Precipitation 24 hours following
08/16/2023	Surface (irrigation)	No precipitation	No precipitation	No precipitation

Source description	Material type	N (lbs/acre)	P (lbs/acre)	K (lbs/acre)	Salt (lbs/acre)	Amount
TID Lateral 2.5	Surface water	0.00	0.00	0.00	22.41	10,230,000.00 *gal*
Application event totals		0.00	0.00	0.00	22.41	

Application date	Application method	Precipitation 24 hours prior	Precipitation during application	Precipitation 24 hours following
09/10/2023	Surface (irrigation)	No precipitation	No precipitation	No precipitation

Source description	Material type	N (lbs/acre)	P (lbs/acre)	K (lbs/acre)	Salt (lbs/acre)	Amount
TID Lateral 2.5	Surface water	0.00	0.00	0.00	21.69	9,900,000.00 *gal*
Application event totals		0.00	0.00	0.00	21.69	

Jorge Field - 02/10/2013: Almond, in shell

Jorge Field - 02/10/2013: Almond, in shell

Field name: Jorge Field

Crop: Almond, in shell

Plant date: 02/10/2013

Application date	Application method	Precipitation 24 hours prior	Precipitation during application	Precipitation 24 hours following
11/04/2022	Broadcast/incorporate	No precipitation	No precipitation	No precipitation

Source description	Material type	N (lbs/acre)	P (lbs/acre)	K (lbs/acre)	Salt (lbs/acre)	Amount
Compost	Compost	56.30	20.33	15.40	1,109.74	188.00 *ton*
Application event totals		56.30	20.33	15.40	1,109.74	

Application date	Application method	Precipitation 24 hours prior	Precipitation during application	Precipitation 24 hours following
01/14/2023	Surface (irrigation)	No precipitation	No precipitation	No precipitation

Source description	Material type	N (lbs/acre)	P (lbs/acre)	K (lbs/acre)	Salt (lbs/acre)	Amount
TID Lateral 2.5	Surface water	0.00	0.00	0.00	16.30	8,930,000.00 *gal*
Application event totals		0.00	0.00	0.00	16.30	

Application date	Application method	Precipitation 24 hours prior	Precipitation during application	Precipitation 24 hours following
03/01/2023	Sidedress	No precipitation	No precipitation	No precipitation

Source description	Material type	N (lbs/acre)	P (lbs/acre)	K (lbs/acre)	Salt (lbs/acre)	Amount
CAN17	Solid commercial fertilizer	34.00	0.00	0.00	0.00	
Application event totals		34.00	0.00	0.00	0.00	

Application date	Application method	Precipitation 24 hours prior	Precipitation during application	Precipitation 24 hours following
04/14/2023	Sidedress	No precipitation	No precipitation	No precipitation

Source description	Material type	N (lbs/acre)	P (lbs/acre)	K (lbs/acre)	Salt (lbs/acre)	Amount
CAN17	Solid commercial fertilizer	34.00	0.00	0.00	0.00	
Application event totals		34.00	0.00	0.00	0.00	

Application date	Application method	Precipitation 24 hours prior	Precipitation during application	Precipitation 24 hours following
04/28/2023	Surface (irrigation)	No precipitation	No precipitation	No precipitation

Source description	Material type	N (lbs/acre)	P (lbs/acre)	K (lbs/acre)	Salt (lbs/acre)	Amount
TID Lateral 2.5	Surface water	0.00	0.00	0.00	16.30	8,930,000.00 *gal*
Application event totals		0.00	0.00	0.00	16.30	

Application date	Application method	Precipitation 24 hours prior	Precipitation during application	Precipitation 24 hours following
05/12/2023	Surface (irrigation)	No precipitation	No precipitation	No precipitation

Source description	Material type	N (lbs/acre)	P (lbs/acre)	K (lbs/acre)	Salt (lbs/acre)	Amount
TID Lateral 2.5	Surface water	0.00	0.00	0.00	16.30	8,930,000.00 *gal*
Application event totals		0.00	0.00	0.00	16.30	

Jorge Field - 02/10/2013: Almond, in shell

Application date	Application method	Precipitation 24 hours prior	Precipitation during application	Precipitation 24 hours following
05/26/2023	Sidedress	No precipitation	No precipitation	No precipitation

Source description	Material type	N (lbs/acre)	P (lbs/acre)	K (lbs/acre)	Salt (lbs/acre)	Amount
UN32	Solid commercial fertilizer	32.00	0.00	0.00	0.00	
Application event totals		32.00	0.00	0.00	0.00	

05/26/2023	Surface (irrigation)	No precipitation	No precipitation	No precipitation

Source description	Material type	N (lbs/acre)	P (lbs/acre)	K (lbs/acre)	Salt (lbs/acre)	Amount
TID Lateral 2.5	Surface water	0.00	0.00	0.00	16.30	8,930,000.00 *gal*
Application event totals		0.00	0.00	0.00	16.30	

06/09/2023	Surface (irrigation)	No precipitation	No precipitation	No precipitation

Source description	Material type	N (lbs/acre)	P (lbs/acre)	K (lbs/acre)	Salt (lbs/acre)	Amount
TID Lateral 2.5	Surface water	0.00	0.00	0.00	16.56	9,071,000.00 *gal*
Application event totals		0.00	0.00	0.00	16.56	

06/23/2023	Surface (irrigation)	No precipitation	No precipitation	No precipitation

Source description	Material type	N (lbs/acre)	P (lbs/acre)	K (lbs/acre)	Salt (lbs/acre)	Amount
TID Lateral 2.5	Surface water	0.00	0.00	0.00	16.56	9,071,000.00 *gal*
Application event totals		0.00	0.00	0.00	16.56	

07/07/2023	Surface (irrigation)	No precipitation	No precipitation	No precipitation

Source description	Material type	N (lbs/acre)	P (lbs/acre)	K (lbs/acre)	Salt (lbs/acre)	Amount
TID Lateral 2.5	Surface water	0.00	0.00	0.00	16.56	9,071,000.00 *gal*
Application event totals		0.00	0.00	0.00	16.56	

07/21/2023	Surface (irrigation)	No precipitation	No precipitation	No precipitation

Source description	Material type	N (lbs/acre)	P (lbs/acre)	K (lbs/acre)	Salt (lbs/acre)	Amount
TID Lateral 2.5	Surface water	0.00	0.00	0.00	16.56	9,071,000.00 *gal*
Application event totals		0.00	0.00	0.00	16.56	

Jorge Field - 02/10/2013: Almond, in shell

Application date	Application method	Precipitation 24 hours prior	Precipitation during application	Precipitation 24 hours following
08/04/2023	Surface (irrigation)	No precipitation	No precipitation	No precipitation

Source description	Material type	N (lbs/acre)	P (lbs/acre)	K (lbs/acre)	Salt (lbs/acre)	Amount
TID Lateral 2.5	Surface water	0.00	0.00	0.00	16.56	9,071,000.00 *gal*
Application event totals		0.00	0.00	0.00	16.56	

Application date	Application method	Precipitation 24 hours prior	Precipitation during application	Precipitation 24 hours following
08/18/2023	Surface (irrigation)	No precipitation	No precipitation	No precipitation

Source description	Material type	N (lbs/acre)	P (lbs/acre)	K (lbs/acre)	Salt (lbs/acre)	Amount
TID Lateral 2.5	Surface water	0.00	0.00	0.00	16.56	9,071,000.00 *gal*
Application event totals		0.00	0.00	0.00	16.56	

Application date	Application method	Precipitation 24 hours prior	Precipitation during application	Precipitation 24 hours following
09/01/2023	Surface (irrigation)	No precipitation	No precipitation	No precipitation

Source description	Material type	N (lbs/acre)	P (lbs/acre)	K (lbs/acre)	Salt (lbs/acre)	Amount
TID Lateral 2.5	Surface water	0.00	0.00	0.00	16.56	9,071,000.00 *gal*
Application event totals		0.00	0.00	0.00	16.56	

Application date	Application method	Precipitation 24 hours prior	Precipitation during application	Precipitation 24 hours following
09/15/2023	Surface (irrigation)	No precipitation	No precipitation	No precipitation

Source description	Material type	N (lbs/acre)	P (lbs/acre)	K (lbs/acre)	Salt (lbs/acre)	Amount
TID Lateral 2.5	Surface water	0.00	0.00	0.00	16.56	9,071,000.00 *gal*
Application event totals		0.00	0.00	0.00	16.56	

Application date	Application method	Precipitation 24 hours prior	Precipitation during application	Precipitation 24 hours following
09/30/2023	Surface (irrigation)	No precipitation	No precipitation	No precipitation

Source description	Material type	N (lbs/acre)	P (lbs/acre)	K (lbs/acre)	Salt (lbs/acre)	Amount
TID Lateral 2.5	Surface water	0.00	0.00	0.00	16.56	9,071,000.00 *gal*
Application event totals		0.00	0.00	0.00	16.56	

Martin - 10/18/2022: Oats, silage-soft dough

Field name: Martin

Crop: Oats, silage-soft dough

Plant date: 10/18/2022

Application date	Application method	Precipitation 24 hours prior	Precipitation during application	Precipitation 24 hours following

Martin - 10/18/2022: Oats, silage-soft dough

Application date	Application method	Precipitation 24 hours prior	Precipitation during application	Precipitation 24 hours following
09/12/2022	Broadcast/incorporate	No precipitation	No precipitation	No precipitation

Source description	Material type	N (lbs/acre)	P (lbs/acre)	K (lbs/acre)	Salt (lbs/acre)	Amount
Settling Basin	Separator solids	161.99	36.11	53.01	2,496.45	150.00 *ton*
Application event totals		161.99	36.11	53.01	2,496.45	

Application date	Application method	Precipitation 24 hours prior	Precipitation during application	Precipitation 24 hours following
09/27/2022	Surface (irrigation)	No precipitation	No precipitation	No precipitation

Source description	Material type	N (lbs/acre)	P (lbs/acre)	K (lbs/acre)	Salt (lbs/acre)	Amount
TID Lateral 2.5	Surface water	0.00	0.00	0.00	0.00	1,080,000.00 *gal*
Application event totals		0.00	0.00	0.00	0.00	

Application date	Application method	Precipitation 24 hours prior	Precipitation during application	Precipitation 24 hours following
04/12/2023	Surface (irrigation)	No precipitation	No precipitation	No precipitation

Source description	Material type	N (lbs/acre)	P (lbs/acre)	K (lbs/acre)	Salt (lbs/acre)	Amount
TID Lateral 2.5	Surface water	0.00	0.00	0.00	21.03	960,000.00 *gal*
Application event totals		0.00	0.00	0.00	21.03	

Martin - 06/03/2023: Corn, silage

Field name: Martin

Crop: Corn, silage

Plant date: 06/03/2023

Application date	Application method	Precipitation 24 hours prior	Precipitation during application	Precipitation 24 hours following
05/16/2023	Broadcast/incorporate	No precipitation	No precipitation	No precipitation

Source description	Material type	N (lbs/acre)	P (lbs/acre)	K (lbs/acre)	Salt (lbs/acre)	Amount
Separated Solids	Separator solids	196.02	61.92	112.67	3,123.56	160.00 *ton*
Application event totals		196.02	61.92	112.67	3,123.56	

Application date	Application method	Precipitation 24 hours prior	Precipitation during application	Precipitation 24 hours following
05/21/2023	Surface (irrigation)	No precipitation	No precipitation	No precipitation

Source description	Material type	N (lbs/acre)	P (lbs/acre)	K (lbs/acre)	Salt (lbs/acre)	Amount
TID Lateral 2.5	Surface water	0.00	0.00	0.00	23.66	1,080,000.00 *gal*
Application event totals		0.00	0.00	0.00	23.66	

Martin - 06/03/2023: Corn, silage

Application date	Application method	Precipitation 24 hours prior	Precipitation during application	Precipitation 24 hours following
06/03/2023	Sidedress	No precipitation	No precipitation	No precipitation

Source description	Material type	N (lbs/acre)	P (lbs/acre)	K (lbs/acre)	Salt (lbs/acre)	Amount
4-0-0	Solid commercial fertilizer	8.00	0.00	0.00	0.00	
Application event totals		8.00	0.00	0.00	0.00	

07/05/2023	Sidedress	No precipitation	No precipitation	No precipitation

Source description	Material type	N (lbs/acre)	P (lbs/acre)	K (lbs/acre)	Salt (lbs/acre)	Amount
UN32	Solid commercial fertilizer	35.20	0.00	0.00	0.00	
Application event totals		35.20	0.00	0.00	0.00	

07/06/2023	Surface (irrigation)	No precipitation	No precipitation	No precipitation

Source description	Material type	N (lbs/acre)	P (lbs/acre)	K (lbs/acre)	Salt (lbs/acre)	Amount
TID Lateral 2.5	Surface water	0.00	0.00	0.00	22.34	1,020,000.00 *gal*
Application event totals		0.00	0.00	0.00	22.34	

07/19/2023	Surface (irrigation)	No precipitation	No precipitation	No precipitation

Source description	Material type	N (lbs/acre)	P (lbs/acre)	K (lbs/acre)	Salt (lbs/acre)	Amount
TID Lateral 2.5	Surface water	0.00	0.00	0.00	22.34	1,020,000.00 *gal*
Application event totals		0.00	0.00	0.00	22.34	

07/31/2023	Surface (irrigation)	No precipitation	No precipitation	No precipitation

Source description	Material type	N (lbs/acre)	P (lbs/acre)	K (lbs/acre)	Salt (lbs/acre)	Amount
TID Lateral 2.5	Surface water	0.00	0.00	0.00	22.34	1,020,000.00 *gal*
Application event totals		0.00	0.00	0.00	22.34	

08/13/2023	Surface (irrigation)	No precipitation	No precipitation	No precipitation

Source description	Material type	N (lbs/acre)	P (lbs/acre)	K (lbs/acre)	Salt (lbs/acre)	Amount
TID Lateral 2.5	Surface water	0.00	0.00	0.00	22.34	1,020,000.00 *gal*
Application event totals		0.00	0.00	0.00	22.34	

Martin - 06/03/2023: Corn, silage

Application date	Application method	Precipitation 24 hours prior	Precipitation during application	Precipitation 24 hours following
08/28/2023	Surface (irrigation)	No precipitation	No precipitation	No precipitation

Source description	Material type	N (lbs/acre)	P (lbs/acre)	K (lbs/acre)	Salt (lbs/acre)	Amount
TID Lateral 2.5	Surface water	0.00	0.00	0.00	22.34	1,020,000.00 *gal*
Application event totals		0.00	0.00	0.00	22.34	

09/09/2023	Surface (irrigation)	No precipitation	No precipitation	No precipitation

Source description	Material type	N (lbs/acre)	P (lbs/acre)	K (lbs/acre)	Salt (lbs/acre)	Amount
TID Lateral 2.5	Surface water	0.00	0.00	0.00	22.34	1,020,000.00 *gal*
Application event totals		0.00	0.00	0.00	22.34	

Mom's Place Field - 10/19/2022: Oats, silage-soft dough

Field name: Mom's Place Field

Crop: Oats, silage-soft dough

Plant date: 10/19/2022

Application date	Application method	Precipitation 24 hours prior	Precipitation during application	Precipitation 24 hours following
09/29/2022	Surface (irrigation)	No precipitation	No precipitation	No precipitation

Source description	Material type	N (lbs/acre)	P (lbs/acre)	K (lbs/acre)	Salt (lbs/acre)	Amount
WWS	Process wastewater	129.18	23.39	263.94	1,424.85	1,980,000.00 *gal*
TID Lateral 2.5	Surface water	0.00	0.00	0.00	0.00	7,392,000.00 *gal*
Application event totals		129.18	23.39	263.94	1,424.85	

12/21/2022	Surface (irrigation)	No precipitation	No precipitation	No precipitation

Source description	Material type	N (lbs/acre)	P (lbs/acre)	K (lbs/acre)	Salt (lbs/acre)	Amount
WWS	Process wastewater	88.08	15.95	179.96	971.49	1,350,000.00 *gal*
Application event totals		88.08	15.95	179.96	971.49	

Mom's Place Field - 10/19/2022: Oats, silage-soft dough

Application date	Application method	Precipitation 24 hours prior	Precipitation during application	Precipitation 24 hours following
04/15/2023	Surface (irrigation)	No precipitation	No precipitation	No precipitation

Source description	Material type	N (lbs/acre)	P (lbs/acre)	K (lbs/acre)	Salt (lbs/acre)	Amount
WWS	Process wastewater	123.92	14.76	164.16	1,015.53	1,485,000.00 *gal*
TID Lateral 2.5	Surface water	0.00	0.00	0.00	15.21	6,682,500.00 *gal*
Application event totals		123.92	14.76	164.16	1,030.74	

Mom's Place Field - 06/03/2023: Corn, silage

Field name: Mom's Place Field

Crop: Corn, silage

Plant date: 06/03/2023

Application date	Application method	Precipitation 24 hours prior	Precipitation during application	Precipitation 24 hours following
05/22/2023	Surface (irrigation)	No precipitation	No precipitation	No precipitation

Source description	Material type	N (lbs/acre)	P (lbs/acre)	K (lbs/acre)	Salt (lbs/acre)	Amount
WWS	Process wastewater	157.72	18.78	208.93	1,292.49	1,890,000.00 *gal*
TID Lateral 2.5	Surface water	0.00	0.00	0.00	19.36	8,505,000.00 *gal*
Application event totals		157.72	18.78	208.93	1,311.85	

06/03/2023	Sidedress	No precipitation	No precipitation	No precipitation

Source description	Material type	N (lbs/acre)	P (lbs/acre)	K (lbs/acre)	Salt (lbs/acre)	Amount
4-0-0	Solid commercial fertilizer	8.00	0.00	0.00	0.00	
Application event totals		8.00	0.00	0.00	0.00	

07/05/2023	Surface (irrigation)	No precipitation	No precipitation	No precipitation

Source description	Material type	N (lbs/acre)	P (lbs/acre)	K (lbs/acre)	Salt (lbs/acre)	Amount
TID Lateral 2.5	Surface water	0.00	0.00	0.00	23.04	10,125,000.00 *gal*
Application event totals		0.00	0.00	0.00	23.04	

Mom's Place Field - 06/03/2023: Corn, silage

Application date	Application method	Precipitation 24 hours prior	Precipitation during application	Precipitation 24 hours following
07/18/2023	Surface (irrigation)	No precipitation	No precipitation	No precipitation

Source description	Material type	N (lbs/acre)	P (lbs/acre)	K (lbs/acre)	Salt (lbs/acre)	Amount
WWS	Process wastewater	53.06	7.30	135.77	877.85	1,800,000.00 *gal*
TID Lateral 2.5	Surface water	0.00	0.00	0.00	18.43	8,100,000.00 *gal*
Application event totals		53.06	7.30	135.77	896.29	

07/31/2023	Surface (irrigation)	No precipitation	No precipitation	No precipitation

Source description	Material type	N (lbs/acre)	P (lbs/acre)	K (lbs/acre)	Salt (lbs/acre)	Amount
WWS	Process wastewater	53.06	7.30	135.77	877.85	1,800,000.00 *gal*
TID Lateral 2.5	Surface water	0.00	0.00	0.00	18.43	8,100,000.00 *gal*
Application event totals		53.06	7.30	135.77	896.29	

08/13/2023	Surface (irrigation)	No precipitation	No precipitation	No precipitation

Source description	Material type	N (lbs/acre)	P (lbs/acre)	K (lbs/acre)	Salt (lbs/acre)	Amount
TID Lateral 2.5	Surface water	0.00	0.00	0.00	22.12	9,720,000.00 *gal*
Application event totals		0.00	0.00	0.00	22.12	

08/29/2023	Surface (irrigation)	No precipitation	No precipitation	No precipitation

Source description	Material type	N (lbs/acre)	P (lbs/acre)	K (lbs/acre)	Salt (lbs/acre)	Amount
WWS	Process wastewater	53.06	7.30	135.77	877.85	1,800,000.00 *gal*
TID Lateral 2.5	Surface water	0.00	0.00	0.00	18.43	8,100,000.00 *gal*
Application event totals		53.06	7.30	135.77	896.29	

09/09/2023	Surface (irrigation)	No precipitation	No precipitation	No precipitation

Source description	Material type	N (lbs/acre)	P (lbs/acre)	K (lbs/acre)	Salt (lbs/acre)	Amount
TID Lateral 2.5	Surface water	0.00	0.00	0.00	21.20	9,315,000.00 *gal*
Application event totals		0.00	0.00	0.00	21.20	

Pedro - 02/02/2015: Almond, in shell

Field name: Pedro

Crop: Almond, in shell

Plant date: 02/02/2015

Pedro - 02/02/2015: Almond, in shell

Application date	Application method	Precipitation 24 hours prior	Precipitation during application	Precipitation 24 hours following
10/07/2022	Surface (irrigation)	No precipitation	No precipitation	No precipitation

Source description	Material type	N (lbs/acre)	P (lbs/acre)	K (lbs/acre)	Salt (lbs/acre)	Amount
TID Lateral 2.5	Surface water	0.00	0.00	0.00	0.00	9,720,000.00 *gal*
Application event totals		0.00	0.00	0.00	0.00	

11/05/2022	Broadcast/incorporate	No precipitation	No precipitation	No precipitation

Source description	Material type	N (lbs/acre)	P (lbs/acre)	K (lbs/acre)	Salt (lbs/acre)	Amount
Compost	Compost	57.50	20.77	15.73	1,133.35	156.00 *ton*
Application event totals		57.50	20.77	15.73	1,133.35	

03/02/2023	Sidedress	No precipitation	No precipitation	No precipitation

Source description	Material type	N (lbs/acre)	P (lbs/acre)	K (lbs/acre)	Salt (lbs/acre)	Amount
CAN17	Solid commercial fertilizer	34.00	0.00	0.00	0.00	
Application event totals		34.00	0.00	0.00	0.00	

04/14/2023	Sidedress	No precipitation	No precipitation	No precipitation

Source description	Material type	N (lbs/acre)	P (lbs/acre)	K (lbs/acre)	Salt (lbs/acre)	Amount
CAN17	Solid commercial fertilizer	34.00	0.00	0.00	0.00	
Application event totals		34.00	0.00	0.00	0.00	

04/14/2023	Surface (irrigation)	No precipitation	No precipitation	No precipitation

Source description	Material type	N (lbs/acre)	P (lbs/acre)	K (lbs/acre)	Salt (lbs/acre)	Amount
TID Lateral 2.5	Surface water	0.00	0.00	0.00	16.65	7,410,000.00 *gal*
Application event totals		0.00	0.00	0.00	16.65	

04/28/2023	Surface (irrigation)	No precipitation	No precipitation	No precipitation

Source description	Material type	N (lbs/acre)	P (lbs/acre)	K (lbs/acre)	Salt (lbs/acre)	Amount
TID Lateral 2.5	Surface water	0.00	0.00	0.00	16.65	7,410,000.00 *gal*
Application event totals		0.00	0.00	0.00	16.65	

Pedro - 02/02/2015: Almond, in shell

Application date	Application method	Precipitation 24 hours prior	Precipitation during application	Precipitation 24 hours following
05/12/2023	Surface (irrigation)	No precipitation	No precipitation	No precipitation

Source description	Material type	N (lbs/acre)	P (lbs/acre)	K (lbs/acre)	Salt (lbs/acre)	Amount
TID Lateral 2.5	Surface water	0.00	0.00	0.00	16.65	7,410,000.00 *gal*
Application event totals		0.00	0.00	0.00	16.65	

05/26/2023	Sidedress	No precipitation	No precipitation	No precipitation

Source description	Material type	N (lbs/acre)	P (lbs/acre)	K (lbs/acre)	Salt (lbs/acre)	Amount
UN32	Solid commercial fertilizer	32.00	0.00	0.00	0.00	
Application event totals		32.00	0.00	0.00	0.00	

05/26/2023	Surface (irrigation)	No precipitation	No precipitation	No precipitation

Source description	Material type	N (lbs/acre)	P (lbs/acre)	K (lbs/acre)	Salt (lbs/acre)	Amount
TID Lateral 2.5	Surface water	0.00	0.00	0.00	16.65	7,410,000.00 *gal*
Application event totals		0.00	0.00	0.00	16.65	

06/09/2023	Surface (irrigation)	No precipitation	No precipitation	No precipitation

Source description	Material type	N (lbs/acre)	P (lbs/acre)	K (lbs/acre)	Salt (lbs/acre)	Amount
TID Lateral 2.5	Surface water	0.00	0.00	0.00	17.09	7,605,000.00 *gal*
Application event totals		0.00	0.00	0.00	17.09	

06/23/2023	Surface (irrigation)	No precipitation	No precipitation	No precipitation

Source description	Material type	N (lbs/acre)	P (lbs/acre)	K (lbs/acre)	Salt (lbs/acre)	Amount
TID Lateral 2.5	Surface water	0.00	0.00	0.00	17.09	7,605,000.00 *gal*
Application event totals		0.00	0.00	0.00	17.09	

07/07/2023	Surface (irrigation)	No precipitation	No precipitation	No precipitation

Source description	Material type	N (lbs/acre)	P (lbs/acre)	K (lbs/acre)	Salt (lbs/acre)	Amount
TID Lateral 2.5	Surface water	0.00	0.00	0.00	17.09	7,605,000.00 *gal*
Application event totals		0.00	0.00	0.00	17.09	

Pedro - 02/02/2015: Almond, in shell

Application date	Application method	Precipitation 24 hours prior	Precipitation during application	Precipitation 24 hours following
07/21/2023	Surface (irrigation)	No precipitation	No precipitation	No precipitation

Source description	Material type	N (lbs/acre)	P (lbs/acre)	K (lbs/acre)	Salt (lbs/acre)	Amount
TID Lateral 2.5	Surface water	0.00	0.00	0.00	17.09	7,605,000.00 *gal*
Application event totals		0.00	0.00	0.00	17.09	

Application date	Application method	Precipitation 24 hours prior	Precipitation during application	Precipitation 24 hours following
08/04/2023	Surface (irrigation)	No precipitation	No precipitation	No precipitation

Source description	Material type	N (lbs/acre)	P (lbs/acre)	K (lbs/acre)	Salt (lbs/acre)	Amount
TID Lateral 2.5	Surface water	0.00	0.00	0.00	17.09	7,605,000.00 *gal*
Application event totals		0.00	0.00	0.00	17.09	

Application date	Application method	Precipitation 24 hours prior	Precipitation during application	Precipitation 24 hours following
08/18/2023	Surface (irrigation)	No precipitation	No precipitation	No precipitation

Source description	Material type	N (lbs/acre)	P (lbs/acre)	K (lbs/acre)	Salt (lbs/acre)	Amount
TID Lateral 2.5	Surface water	0.00	0.00	0.00	17.09	7,605,000.00 *gal*
Application event totals		0.00	0.00	0.00	17.09	

Application date	Application method	Precipitation 24 hours prior	Precipitation during application	Precipitation 24 hours following
09/01/2023	Surface (irrigation)	No precipitation	No precipitation	No precipitation

Source description	Material type	N (lbs/acre)	P (lbs/acre)	K (lbs/acre)	Salt (lbs/acre)	Amount
TID Lateral 2.5	Surface water	0.00	0.00	0.00	17.09	7,605,000.00 *gal*
Application event totals		0.00	0.00	0.00	17.09	

Redwood - 10/09/2020: Almond, in shell

Field name: Redwood

Crop: Almond, in shell

Plant date: 10/09/2020

Application date	Application method	Precipitation 24 hours prior	Precipitation during application	Precipitation 24 hours following
03/01/2023	Sidedress	No precipitation	No precipitation	No precipitation

Source description	Material type	N (lbs/acre)	P (lbs/acre)	K (lbs/acre)	Salt (lbs/acre)	Amount
CAN17	Solid commercial fertilizer	25.50	0.00	0.00	0.00	
Application event totals		25.50	0.00	0.00	0.00	

Redwood - 10/09/2020: Almond, in shell

Application date	Application method	Precipitation 24 hours prior	Precipitation during application	Precipitation 24 hours following
04/08/2023	Surface (irrigation)	No precipitation	No precipitation	No precipitation

Source description	Material type	N (lbs/acre)	P (lbs/acre)	K (lbs/acre)	Salt (lbs/acre)	Amount
TID Lateral 2.5	Surface water	0.00	0.00	0.00	15.60	3,382,000.00 *gal*
Application event totals		0.00	0.00	0.00	15.60	

Application date	Application method	Precipitation 24 hours prior	Precipitation during application	Precipitation 24 hours following
04/22/2023	Sidedress	No precipitation	No precipitation	No precipitation

Source description	Material type	N (lbs/acre)	P (lbs/acre)	K (lbs/acre)	Salt (lbs/acre)	Amount
CAN17	Solid commercial fertilizer	25.50	0.00	0.00	0.00	
Application event totals		25.50	0.00	0.00	0.00	

Application date	Application method	Precipitation 24 hours prior	Precipitation during application	Precipitation 24 hours following
04/22/2023	Surface (irrigation)	No precipitation	No precipitation	No precipitation

Source description	Material type	N (lbs/acre)	P (lbs/acre)	K (lbs/acre)	Salt (lbs/acre)	Amount
TID Lateral 2.5	Surface water	0.00	0.00	0.00	15.60	3,382,000.00 *gal*
Application event totals		0.00	0.00	0.00	15.60	

Application date	Application method	Precipitation 24 hours prior	Precipitation during application	Precipitation 24 hours following
05/06/2023	Surface (irrigation)	No precipitation	No precipitation	No precipitation

Source description	Material type	N (lbs/acre)	P (lbs/acre)	K (lbs/acre)	Salt (lbs/acre)	Amount
TID Lateral 2.5	Surface water	0.00	0.00	0.00	15.60	3,382,000.00 *gal*
Application event totals		0.00	0.00	0.00	15.60	

Application date	Application method	Precipitation 24 hours prior	Precipitation during application	Precipitation 24 hours following
05/20/2023	Sidedress	No precipitation	No precipitation	No precipitation

Source description	Material type	N (lbs/acre)	P (lbs/acre)	K (lbs/acre)	Salt (lbs/acre)	Amount
UN32	Solid commercial fertilizer	32.00	0.00	0.00	0.00	
Application event totals		32.00	0.00	0.00	0.00	

Application date	Application method	Precipitation 24 hours prior	Precipitation during application	Precipitation 24 hours following
05/20/2023	Surface (irrigation)	No precipitation	No precipitation	No precipitation

Source description	Material type	N (lbs/acre)	P (lbs/acre)	K (lbs/acre)	Salt (lbs/acre)	Amount
TID Lateral 2.5	Surface water	0.00	0.00	0.00	15.60	3,382,000.00 *gal*
Application event totals		0.00	0.00	0.00	15.60	

Redwood - 10/09/2020: Almond, in shell

Application date	Application method	Precipitation 24 hours prior	Precipitation during application	Precipitation 24 hours following
06/03/2023	Surface (irrigation)	No precipitation	No precipitation	No precipitation

Source description	Material type	N (lbs/acre)	P (lbs/acre)	K (lbs/acre)	Salt (lbs/acre)	Amount
TID Lateral 2.5	Surface water	0.00	0.00	0.00	15.60	3,382,000.00 *gal*
Application event totals		0.00	0.00	0.00	15.60	

06/17/2023	Surface (irrigation)	No precipitation	No precipitation	No precipitation

Source description	Material type	N (lbs/acre)	P (lbs/acre)	K (lbs/acre)	Salt (lbs/acre)	Amount
TID Lateral 2.5	Surface water	0.00	0.00	0.00	21.03	4,560,000.00 *gal*
Application event totals		0.00	0.00	0.00	21.03	

07/04/2023	Surface (irrigation)	No precipitation	No precipitation	No precipitation

Source description	Material type	N (lbs/acre)	P (lbs/acre)	K (lbs/acre)	Salt (lbs/acre)	Amount
TID Lateral 2.5	Surface water	0.00	0.00	0.00	15.95	3,458,000.00 *gal*
Application event totals		0.00	0.00	0.00	15.95	

07/18/2023	Surface (irrigation)	No precipitation	No precipitation	No precipitation

Source description	Material type	N (lbs/acre)	P (lbs/acre)	K (lbs/acre)	Salt (lbs/acre)	Amount
TID Lateral 2.5	Surface water	0.00	0.00	0.00	15.95	3,458,000.00 *gal*
Application event totals		0.00	0.00	0.00	15.95	

08/01/2023	Surface (irrigation)	No precipitation	No precipitation	No precipitation

Source description	Material type	N (lbs/acre)	P (lbs/acre)	K (lbs/acre)	Salt (lbs/acre)	Amount
TID Lateral 2.5	Surface water	0.00	0.00	0.00	15.95	3,458,000.00 *gal*
Application event totals		0.00	0.00	0.00	15.95	

08/15/2023	Surface (irrigation)	No precipitation	No precipitation	No precipitation

Source description	Material type	N (lbs/acre)	P (lbs/acre)	K (lbs/acre)	Salt (lbs/acre)	Amount
TID Lateral 2.5	Surface water	0.00	0.00	0.00	15.95	3,458,000.00 *gal*
Application event totals		0.00	0.00	0.00	15.95	

Redwood - 10/09/2020: Almond, in shell

Application date	Application method	Precipitation 24 hours prior	Precipitation during application	Precipitation 24 hours following
08/29/2023	Surface (irrigation)	No precipitation	No precipitation	No precipitation

Source description	Material type	N (lbs/acre)	P (lbs/acre)	K (lbs/acre)	Salt (lbs/acre)	Amount
TID Lateral 2.5	Surface water	0.00	0.00	0.00	15.95	3,458,000.00 *gal*
Application event totals		0.00	0.00	0.00	15.95	

Application date	Application method	Precipitation 24 hours prior	Precipitation during application	Precipitation 24 hours following
09/12/2023	Surface (irrigation)	No precipitation	No precipitation	No precipitation

Source description	Material type	N (lbs/acre)	P (lbs/acre)	K (lbs/acre)	Salt (lbs/acre)	Amount
TID Lateral 2.5	Surface water	0.00	0.00	0.00	15.95	3,458,000.00 *gal*
Application event totals		0.00	0.00	0.00	15.95	

Application date	Application method	Precipitation 24 hours prior	Precipitation during application	Precipitation 24 hours following
09/26/2023	Surface (irrigation)	No precipitation	No precipitation	No precipitation

Source description	Material type	N (lbs/acre)	P (lbs/acre)	K (lbs/acre)	Salt (lbs/acre)	Amount
TID Lateral 2.5	Surface water	0.00	0.00	0.00	15.95	3,458,000.00 *gal*
Application event totals		0.00	0.00	0.00	15.95	

Application date	Application method	Precipitation 24 hours prior	Precipitation during application	Precipitation 24 hours following
10/10/2023	Surface (irrigation)	No precipitation	No precipitation	No precipitation

Source description	Material type	N (lbs/acre)	P (lbs/acre)	K (lbs/acre)	Salt (lbs/acre)	Amount
TID Lateral 2.5	Surface water	0.00	0.00	0.00	19.92	4,320,000.00 *gal*
Application event totals		0.00	0.00	0.00	19.92	

Application date	Application method	Precipitation 24 hours prior	Precipitation during application	Precipitation 24 hours following
10/27/2023	Surface (irrigation)	No precipitation	No precipitation	No precipitation

Source description	Material type	N (lbs/acre)	P (lbs/acre)	K (lbs/acre)	Salt (lbs/acre)	Amount
TID Lateral 2.5	Surface water	0.00	0.00	0.00	18.82	4,080,000.00 *gal*
Application event totals		0.00	0.00	0.00	18.82	

Wagner 1, 3 - 10/18/2022: Oats, silage-soft dough

Field name: Wagner 1, 3

Crop: Oats, silage-soft dough

Plant date: 10/18/2022

Application date	Application method	Precipitation 24 hours prior	Precipitation during application	Precipitation 24 hours following

Wagner 1, 3 - 10/18/2022: Oats, silage-soft dough

Application date	Application method	Precipitation 24 hours prior	Precipitation during application	Precipitation 24 hours following
09/12/2022	Broadcast/incorporate	No precipitation	No precipitation	No precipitation

Source description	Material type	N (lbs/acre)	P (lbs/acre)	K (lbs/acre)	Salt (lbs/acre)	Amount
Settling Basin	Separator solids	172.79	38.52	56.55	2,662.88	360.00 *ton*
Application event totals		172.79	38.52	56.55	2,662.88	

Application date	Application method	Precipitation 24 hours prior	Precipitation during application	Precipitation 24 hours following
09/29/2022	Surface (irrigation)	No precipitation	No precipitation	No precipitation

Source description	Material type	N (lbs/acre)	P (lbs/acre)	K (lbs/acre)	Salt (lbs/acre)	Amount
TID Lateral 2.5	Surface water	0.00	0.00	0.00	0.00	2,160,000.00 *gal*
Application event totals		0.00	0.00	0.00	0.00	

Application date	Application method	Precipitation 24 hours prior	Precipitation during application	Precipitation 24 hours following
04/12/2023	Surface (irrigation)	No precipitation	No precipitation	No precipitation

Source description	Material type	N (lbs/acre)	P (lbs/acre)	K (lbs/acre)	Salt (lbs/acre)	Amount
TID Lateral 2.5	Surface water	0.00	0.00	0.00	19.86	2,040,000.00 *gal*
Application event totals		0.00	0.00	0.00	19.86	

Wagner 1, 3 - 06/03/2023: Corn, silage

Field name: Wagner 1, 3

Crop: Corn, silage

Plant date: 06/03/2023

Application date	Application method	Precipitation 24 hours prior	Precipitation during application	Precipitation 24 hours following
05/16/2023	Broadcast/incorporate	No precipitation	No precipitation	No precipitation

Source description	Material type	N (lbs/acre)	P (lbs/acre)	K (lbs/acre)	Salt (lbs/acre)	Amount
Separated Solids	Separator solids	245.03	77.40	140.84	3,904.45	450.00 *ton*
Application event totals		245.03	77.40	140.84	3,904.45	

Application date	Application method	Precipitation 24 hours prior	Precipitation during application	Precipitation 24 hours following
05/26/2023	Surface (irrigation)	No precipitation	No precipitation	No precipitation

Source description	Material type	N (lbs/acre)	P (lbs/acre)	K (lbs/acre)	Salt (lbs/acre)	Amount
TID Lateral 2.5	Surface water	0.00	0.00	0.00	24.53	2,520,000.00 *gal*
Application event totals		0.00	0.00	0.00	24.53	

Wagner 1, 3 - 06/03/2023: Corn, silage

Application date	Application method	Precipitation 24 hours prior	Precipitation during application	Precipitation 24 hours following
06/03/2023	Sidedress	No precipitation	No precipitation	No precipitation

Source description	Material type	N (lbs/acre)	P (lbs/acre)	K (lbs/acre)	Salt (lbs/acre)	Amount
4-10-10	Solid commercial fertilizer	8.00	0.00	0.00	0.00	
Application event totals		8.00	0.00	0.00	0.00	

07/04/2023	Sidedress	No precipitation	No precipitation	No precipitation

Source description	Material type	N (lbs/acre)	P (lbs/acre)	K (lbs/acre)	Salt (lbs/acre)	Amount
UN32	Solid commercial fertilizer	35.20	0.00	0.00	0.00	
Application event totals		35.20	0.00	0.00	0.00	

07/05/2023	Surface (irrigation)	No precipitation	No precipitation	No precipitation

Source description	Material type	N (lbs/acre)	P (lbs/acre)	K (lbs/acre)	Salt (lbs/acre)	Amount
TID Lateral 2.5	Surface water	0.00	0.00	0.00	23.37	2,400,000.00 *gal*
Application event totals		0.00	0.00	0.00	23.37	

07/17/2023	Surface (irrigation)	No precipitation	No precipitation	No precipitation

Source description	Material type	N (lbs/acre)	P (lbs/acre)	K (lbs/acre)	Salt (lbs/acre)	Amount
TID Lateral 2.5	Surface water	0.00	0.00	0.00	22.20	2,280,000.00 *gal*
Application event totals		0.00	0.00	0.00	22.20	

08/01/2023	Surface (irrigation)	No precipitation	No precipitation	No precipitation

Source description	Material type	N (lbs/acre)	P (lbs/acre)	K (lbs/acre)	Salt (lbs/acre)	Amount
TID Lateral 2.5	Surface water	0.00	0.00	0.00	22.20	2,280,000.00 *gal*
Application event totals		0.00	0.00	0.00	22.20	

08/12/2023	Surface (irrigation)	No precipitation	No precipitation	No precipitation

Source description	Material type	N (lbs/acre)	P (lbs/acre)	K (lbs/acre)	Salt (lbs/acre)	Amount
TID Lateral 2.5	Surface water	0.00	0.00	0.00	22.20	2,280,000.00 *gal*
Application event totals		0.00	0.00	0.00	22.20	

Wagner 1, 3 - 06/03/2023: Corn, silage

Application date	Application method	Precipitation 24 hours prior	Precipitation during application	Precipitation 24 hours following
08/30/2023	Surface (irrigation)	No precipitation	No precipitation	No precipitation

Source description	Material type	N (lbs/acre)	P (lbs/acre)	K (lbs/acre)	Salt (lbs/acre)	Amount
TID Lateral 2.5	Surface water	0.00	0.00	0.00	22.20	2,280,000.00 *gal*
Application event totals		0.00	0.00	0.00	22.20	

09/11/2023	Surface (irrigation)	No precipitation	No precipitation	No precipitation

Source description	Material type	N (lbs/acre)	P (lbs/acre)	K (lbs/acre)	Salt (lbs/acre)	Amount
TID Lateral 2.5	Surface water	0.00	0.00	0.00	21.03	2,160,000.00 *gal*
Application event totals		0.00	0.00	0.00	21.03	

Wagner 2, 5 - 02/06/2013: Almond, in shell

Field name: Wagner 2, 5

Crop: Almond, in shell

Plant date: 02/06/2013

Application date	Application method	Precipitation 24 hours prior	Precipitation during application	Precipitation 24 hours following
11/01/2022	Broadcast/incorporate	No precipitation	No precipitation	No precipitation

Source description	Material type	N (lbs/acre)	P (lbs/acre)	K (lbs/acre)	Salt (lbs/acre)	Amount
Compost	Compost	57.50	20.77	15.73	1,133.35	76.00 *ton*
Application event totals		57.50	20.77	15.73	1,133.35	

03/03/2023	Sidedress	No precipitation	No precipitation	No precipitation

Source description	Material type	N (lbs/acre)	P (lbs/acre)	K (lbs/acre)	Salt (lbs/acre)	Amount
CAN17	Solid commercial fertilizer	34.00	0.00	0.00	0.00	
Application event totals		34.00	0.00	0.00	0.00	

04/12/2023	Sidedress	No precipitation	No precipitation	No precipitation

Source description	Material type	N (lbs/acre)	P (lbs/acre)	K (lbs/acre)	Salt (lbs/acre)	Amount
CAN17	Solid commercial fertilizer	34.00	0.00	0.00	0.00	
Application event totals		34.00	0.00	0.00	0.00	

Wagner 2, 5 - 02/06/2013: Almond, in shell

Application date	Application method	Precipitation 24 hours prior	Precipitation during application	Precipitation 24 hours following
04/12/2023	Surface (irrigation)	No precipitation	No precipitation	No precipitation

Source description	Material type	N (lbs/acre)	P (lbs/acre)	K (lbs/acre)	Salt (lbs/acre)	Amount
TID Lateral 2.5	Surface water	0.00	0.00	0.00	16.74	3,629,000.00 *gal*
Application event totals		0.00	0.00	0.00	16.74	

Application date	Application method	Precipitation 24 hours prior	Precipitation during application	Precipitation 24 hours following
04/26/2023	Surface (irrigation)	No precipitation	No precipitation	No precipitation

Source description	Material type	N (lbs/acre)	P (lbs/acre)	K (lbs/acre)	Salt (lbs/acre)	Amount
TID Lateral 2.5	Surface water	0.00	0.00	0.00	16.74	3,629,000.00 *gal*
Application event totals		0.00	0.00	0.00	16.74	

Application date	Application method	Precipitation 24 hours prior	Precipitation during application	Precipitation 24 hours following
05/10/2023	Surface (irrigation)	No precipitation	No precipitation	No precipitation

Source description	Material type	N (lbs/acre)	P (lbs/acre)	K (lbs/acre)	Salt (lbs/acre)	Amount
TID Lateral 2.5	Surface water	0.00	0.00	0.00	16.74	3,629,000.00 *gal*
Application event totals		0.00	0.00	0.00	16.74	

Application date	Application method	Precipitation 24 hours prior	Precipitation during application	Precipitation 24 hours following
05/24/2023	Sidedress	No precipitation	No precipitation	No precipitation

Source description	Material type	N (lbs/acre)	P (lbs/acre)	K (lbs/acre)	Salt (lbs/acre)	Amount
UN32	Solid commercial fertilizer	32.00	0.00	0.00	0.00	
Application event totals		32.00	0.00	0.00	0.00	

Application date	Application method	Precipitation 24 hours prior	Precipitation during application	Precipitation 24 hours following
05/24/2023	Surface (irrigation)	No precipitation	No precipitation	No precipitation

Source description	Material type	N (lbs/acre)	P (lbs/acre)	K (lbs/acre)	Salt (lbs/acre)	Amount
TID Lateral 2.5	Surface water	0.00	0.00	0.00	16.74	3,629,000.00 *gal*
Application event totals		0.00	0.00	0.00	16.74	

Application date	Application method	Precipitation 24 hours prior	Precipitation during application	Precipitation 24 hours following
06/07/2023	Surface (irrigation)	No precipitation	No precipitation	No precipitation

Source description	Material type	N (lbs/acre)	P (lbs/acre)	K (lbs/acre)	Salt (lbs/acre)	Amount
TID Lateral 2.5	Surface water	0.00	0.00	0.00	17.17	3,724,000.00 *gal*
Application event totals		0.00	0.00	0.00	17.17	

Wagner 2, 5 - 02/06/2013: Almond, in shell

Application date	Application method	Precipitation 24 hours prior	Precipitation during application	Precipitation 24 hours following
06/21/2023	Surface (irrigation)	No precipitation	No precipitation	No precipitation

Source description	Material type	N (lbs/acre)	P (lbs/acre)	K (lbs/acre)	Salt (lbs/acre)	Amount
TID Lateral 2.5	Surface water	0.00	0.00	0.00	17.17	3,724,000.00 *gal*
Application event totals		0.00	0.00	0.00	17.17	

Application date	Application method	Precipitation 24 hours prior	Precipitation during application	Precipitation 24 hours following
07/05/2023	Surface (irrigation)	No precipitation	No precipitation	No precipitation

Source description	Material type	N (lbs/acre)	P (lbs/acre)	K (lbs/acre)	Salt (lbs/acre)	Amount
TID Lateral 2.5	Surface water	0.00	0.00	0.00	17.17	3,724,000.00 *gal*
Application event totals		0.00	0.00	0.00	17.17	

Application date	Application method	Precipitation 24 hours prior	Precipitation during application	Precipitation 24 hours following
07/19/2023	Surface (irrigation)	No precipitation	No precipitation	No precipitation

Source description	Material type	N (lbs/acre)	P (lbs/acre)	K (lbs/acre)	Salt (lbs/acre)	Amount
TID Lateral 2.5	Surface water	0.00	0.00	0.00	17.17	3,724,000.00 *gal*
Application event totals		0.00	0.00	0.00	17.17	

Application date	Application method	Precipitation 24 hours prior	Precipitation during application	Precipitation 24 hours following
08/02/2023	Surface (irrigation)	No precipitation	No precipitation	No precipitation

Source description	Material type	N (lbs/acre)	P (lbs/acre)	K (lbs/acre)	Salt (lbs/acre)	Amount
TID Lateral 2.5	Surface water	0.00	0.00	0.00	17.17	3,724,000.00 *gal*
Application event totals		0.00	0.00	0.00	17.17	

Application date	Application method	Precipitation 24 hours prior	Precipitation during application	Precipitation 24 hours following
08/16/2023	Surface (irrigation)	No precipitation	No precipitation	No precipitation

Source description	Material type	N (lbs/acre)	P (lbs/acre)	K (lbs/acre)	Salt (lbs/acre)	Amount
TID Lateral 2.5	Surface water	0.00	0.00	0.00	17.17	3,724,000.00 *gal*
Application event totals		0.00	0.00	0.00	17.17	

Application date	Application method	Precipitation 24 hours prior	Precipitation during application	Precipitation 24 hours following
08/30/2023	Surface (irrigation)	No precipitation	No precipitation	No precipitation

Source description	Material type	N (lbs/acre)	P (lbs/acre)	K (lbs/acre)	Salt (lbs/acre)	Amount
TID Lateral 2.5	Surface water	0.00	0.00	0.00	17.17	3,724,000.00 *gal*
Application event totals		0.00	0.00	0.00	17.17	

Wagner 2, 5 - 02/06/2013: Almond, in shell

Application date	Application method	Precipitation 24 hours prior	Precipitation during application	Precipitation 24 hours following
09/13/2023	Surface (irrigation)	No precipitation	No precipitation	No precipitation

Source description	Material type	N (lbs/acre)	P (lbs/acre)	K (lbs/acre)	Salt (lbs/acre)	Amount
TID Lateral 2.5	Surface water	0.00	0.00	0.00	17.17	3,724,000.00 *gal*
Application event totals		0.00	0.00	0.00	17.17	

Wagner 4 - 02/04/2005: Almond, in shell

Field name: Wagner 4

Crop: Almond, in shell

Plant date: 02/04/2005

Application date	Application method	Precipitation 24 hours prior	Precipitation during application	Precipitation 24 hours following
10/07/2022	Surface (irrigation)	No precipitation	No precipitation	No precipitation

Source description	Material type	N (lbs/acre)	P (lbs/acre)	K (lbs/acre)	Salt (lbs/acre)	Amount
TID Lateral 2.5	Surface water	0.00	0.00	0.00	0.00	1,620,000.00 *gal*
Application event totals		0.00	0.00	0.00	0.00	

Application date	Application method	Precipitation 24 hours prior	Precipitation during application	Precipitation 24 hours following
11/01/2022	Broadcast/incorporate	No precipitation	No precipitation	No precipitation

Source description	Material type	N (lbs/acre)	P (lbs/acre)	K (lbs/acre)	Salt (lbs/acre)	Amount
Compost	Compost	61.92	22.36	16.94	1,220.53	28.00 *ton*
Application event totals		61.92	22.36	16.94	1,220.53	

Application date	Application method	Precipitation 24 hours prior	Precipitation during application	Precipitation 24 hours following
03/03/2023	Sidedress	No precipitation	No precipitation	No precipitation

Source description	Material type	N (lbs/acre)	P (lbs/acre)	K (lbs/acre)	Salt (lbs/acre)	Amount
CAN17	Solid commercial fertilizer	34.00	0.00	0.00	0.00	
Application event totals		34.00	0.00	0.00	0.00	

Application date	Application method	Precipitation 24 hours prior	Precipitation during application	Precipitation 24 hours following
04/18/2023	Sidedress	No precipitation	No precipitation	No precipitation

Source description	Material type	N (lbs/acre)	P (lbs/acre)	K (lbs/acre)	Salt (lbs/acre)	Amount
CAN17	Solid commercial fertilizer	34.00	0.00	0.00	0.00	
Application event totals		34.00	0.00	0.00	0.00	

Wagner 4 - 02/04/2005: Almond, in shell

Application date	Application method	Precipitation 24 hours prior	Precipitation during application	Precipitation 24 hours following
04/20/2023	Surface (irrigation)	No precipitation	No precipitation	No precipitation

Source description	Material type	N (lbs/acre)	P (lbs/acre)	K (lbs/acre)	Salt (lbs/acre)	Amount
TID Lateral 2.5	Surface water	0.00	0.00	0.00	20.62	1,530,000.00 *gal*
Application event totals		0.00	0.00	0.00	20.62	

Application date	Application method	Precipitation 24 hours prior	Precipitation during application	Precipitation 24 hours following
05/22/2023	Sidedress	No precipitation	No precipitation	No precipitation

Source description	Material type	N (lbs/acre)	P (lbs/acre)	K (lbs/acre)	Salt (lbs/acre)	Amount
UN32	Solid commercial fertilizer	32.00	0.00	0.00	0.00	
Application event totals		32.00	0.00	0.00	0.00	

Application date	Application method	Precipitation 24 hours prior	Precipitation during application	Precipitation 24 hours following
05/24/2023	Surface (irrigation)	No precipitation	No precipitation	No precipitation

Source description	Material type	N (lbs/acre)	P (lbs/acre)	K (lbs/acre)	Salt (lbs/acre)	Amount
TID Lateral 2.5	Surface water	0.00	0.00	0.00	21.84	1,620,000.00 *gal*
Application event totals		0.00	0.00	0.00	21.84	

Application date	Application method	Precipitation 24 hours prior	Precipitation during application	Precipitation 24 hours following
06/23/2023	Surface (irrigation)	No precipitation	No precipitation	No precipitation

Source description	Material type	N (lbs/acre)	P (lbs/acre)	K (lbs/acre)	Salt (lbs/acre)	Amount
TID Lateral 2.5	Surface water	0.00	0.00	0.00	24.26	1,800,000.00 *gal*
Application event totals		0.00	0.00	0.00	24.26	

Application date	Application method	Precipitation 24 hours prior	Precipitation during application	Precipitation 24 hours following
07/18/2023	Surface (irrigation)	No precipitation	No precipitation	No precipitation

Source description	Material type	N (lbs/acre)	P (lbs/acre)	K (lbs/acre)	Salt (lbs/acre)	Amount
TID Lateral 2.5	Surface water	0.00	0.00	0.00	24.26	1,800,000.00 *gal*
Application event totals		0.00	0.00	0.00	24.26	

Application date	Application method	Precipitation 24 hours prior	Precipitation during application	Precipitation 24 hours following
08/15/2023	Surface (irrigation)	No precipitation	No precipitation	No precipitation

Source description	Material type	N (lbs/acre)	P (lbs/acre)	K (lbs/acre)	Salt (lbs/acre)	Amount
TID Lateral 2.5	Surface water	0.00	0.00	0.00	24.26	1,800,000.00 *gal*
Application event totals		0.00	0.00	0.00	24.26	

Wagner 4 - 02/04/2005: Almond, in shell

Application date	Application method	Precipitation 24 hours prior	Precipitation during application	Precipitation 24 hours following
09/09/2023	Surface (irrigation)	No precipitation	No precipitation	No precipitation

Source description	Material type	N (lbs/acre)	P (lbs/acre)	K (lbs/acre)	Salt (lbs/acre)	Amount
TID Lateral 2.5	Surface water	0.00	0.00	0.00	21.84	1,620,000.00 *gal*
Application event totals		0.00	0.00	0.00	21.84	

Application date	Application method	Precipitation 24 hours prior	Precipitation during application	Precipitation 24 hours following
10/07/2023	Surface (irrigation)	No precipitation	No precipitation	No precipitation

Source description	Material type	N (lbs/acre)	P (lbs/acre)	K (lbs/acre)	Salt (lbs/acre)	Amount
TID Lateral 2.5	Surface water	0.00	0.00	0.00	21.84	1,620,000.00 *gal*
Application event totals		0.00	0.00	0.00	21.84	

B. NUTRIENT BUDGET

Apple Ranch Field - 10/20/2022: Oats, silage-soft dough

Field name: Apple Ranch Field Crop: Oats, silage-soft dough Plant date: 10/20/2022

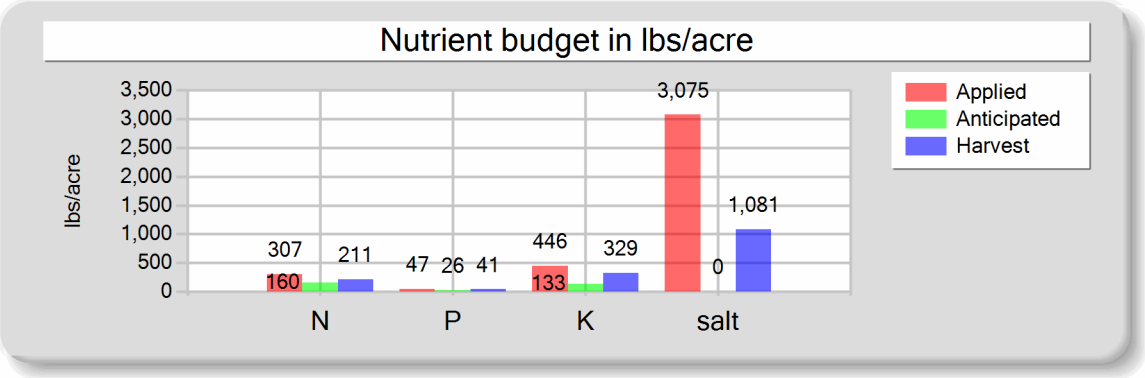

	Total N (lbs/acre)	Total P (lbs/acre)	Total K (lbs/acre)	Total salt (lbs/acre)
Existing soil nutrient content	0.00	0.00	0.00	0.00
Plowdown credit	0.00	0.00	0.00	0.00
Commercial fertilizer / Other	0.00	0.00	0.00	0.00
Dry manure	36.72	8.19	12.02	565.86
Process wastewater	263.26	38.71	434.01	2,493.86
Fresh water	0.00	0.00	0.00	15.77
Atmospheric deposition	7.00	0.00	0.00	0.00
Total nutrients applied	306.98	46.89	446.03	3,075.50
Anticipated crop nutrient removal	160.00	25.60	132.80	0.00
Actual crop nutrient removal	211.17	40.85	328.97	1,081.28
Nutrient balance	95.81	6.05	117.06	1,994.21
Applied to removed ratio	1.45	1.15	1.36	2.84

Fresh water applied	
14,760,000.00	*gallons*
543.56	*acre-inches*
6.79	*inches/acre*

Process wastewater applied	
3,690,000.00	*gallons*
135.89	*acre-inches*
1.70	*inches/acre*

Total harvests for the crop	
1	*harvests*

Apple Ranch Field - 06/04/2023: Corn, silage

Field name: Apple Ranch Field Crop: Corn, silage Plant date: 06/04/2023

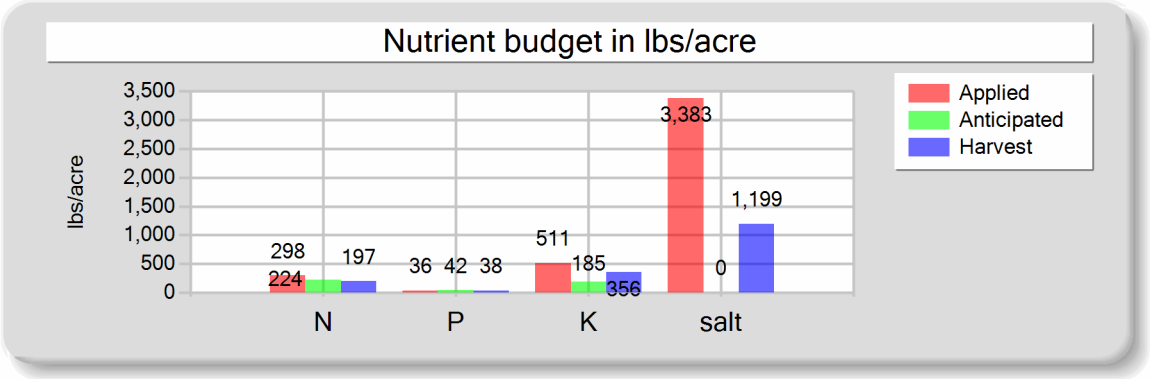

	Total N (lbs/acre)	Total P (lbs/acre)	Total K (lbs/acre)	Total salt (lbs/acre)
Existing soil nutrient content	0.00	0.00	0.00	0.00
Plowdown credit	0.00	0.00	0.00	0.00
Commercial fertilizer / Other	8.00	0.00	0.00	0.00
Dry manure	0.00	0.00	0.00	0.00
Process wastewater	283.30	35.76	510.79	3,238.34
Fresh water	0.00	0.00	0.00	145.10
Atmospheric deposition	7.00	0.00	0.00	0.00
Total nutrients applied	298.30	35.76	510.79	3,383.44
Anticipated crop nutrient removal	224.00	42.00	184.80	0.00
Actual crop nutrient removal	197.14	38.21	356.06	1,198.60
Nutrient balance	101.16	-2.46	154.73	2,184.85
Applied to removed ratio	1.51	0.94	1.43	2.82

Fresh water applied	
66,240,000.00	*gallons*
2,439.39	*acre-inches*
30.49	*inches/acre*

Process wastewater applied	
6,030,000.00	*gallons*
222.06	*acre-inches*
2.78	*inches/acre*

Total harvests for the crop	
1	*harvests*

Dairy Field - 10/19/2022: Oats, silage-soft dough

Field name: Dairy Field | Crop: Oats, silage-soft dough | Plant date: 10/19/2022

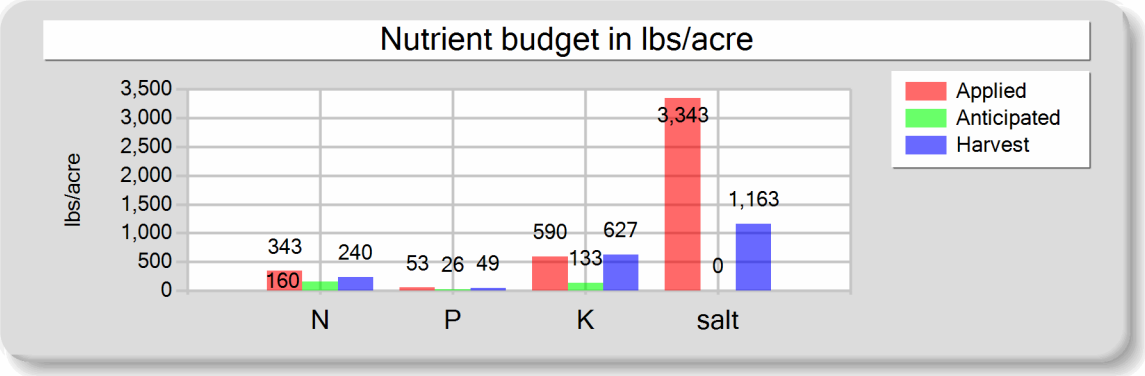

	Total N (lbs/acre)	Total P (lbs/acre)	Total K (lbs/acre)	Total salt (lbs/acre)
Existing soil nutrient content	0.00	0.00	0.00	0.00
Plowdown credit	0.00	0.00	0.00	0.00
Commercial fertilizer / Other	0.00	0.00	0.00	0.00
Dry manure	0.00	0.00	0.00	0.00
Process wastewater	336.09	52.53	590.24	3,326.48
Fresh water	0.00	0.00	0.00	16.48
Atmospheric deposition	7.00	0.00	0.00	0.00
Total nutrients applied	343.09	52.53	590.24	3,342.96
Anticipated crop nutrient removal	160.00	25.60	132.80	0.00
Actual crop nutrient removal	239.62	49.21	626.55	1,162.87
Nutrient balance	103.48	3.33	-36.30	2,180.09
Applied to removed ratio	1.43	1.07	0.94	2.87

Fresh water applied	
11,340,000.00	*gallons*
417.61	*acre-inches*
7.46	*inches/acre*

Process wastewater applied	
3,420,000.00	*gallons*
125.95	*acre-inches*
2.25	*inches/acre*

Total harvests for the crop	
1	*harvests*

Dairy Field - 06/03/2023: Corn, silage

Field name: Dairy Field Crop: Corn, silage Plant date: 06/03/2023

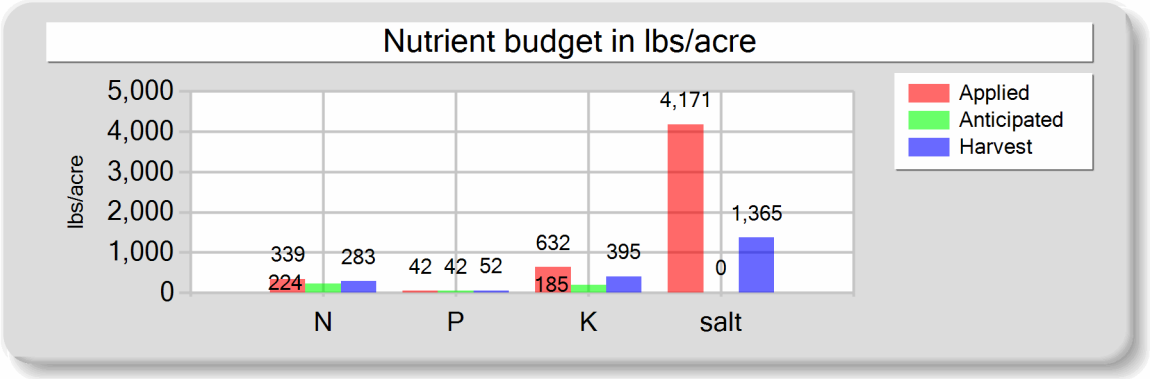

	Total N (lbs/acre)	Total P (lbs/acre)	Total K (lbs/acre)	Total salt (lbs/acre)
Existing soil nutrient content	0.00	0.00	0.00	0.00
Plowdown credit	0.00	0.00	0.00	0.00
Commercial fertilizer / Other	8.00	0.00	0.00	0.00
Dry manure	0.00	0.00	0.00	0.00
Process wastewater	324.23	41.63	632.09	4,027.57
Fresh water	0.00	0.00	0.00	143.85
Atmospheric deposition	7.00	0.00	0.00	0.00
Total nutrients applied	339.23	41.63	632.09	4,171.42
Anticipated crop nutrient removal	224.00	42.00	184.80	0.00
Actual crop nutrient removal	282.69	51.56	394.92	1,365.18
Nutrient balance	56.53	-9.93	237.17	2,806.24
Applied to removed ratio	1.20	0.81	1.60	3.06

Fresh water applied	
45,967,500.00	*gallons*
1,692.83	*acre-inches*
30.23	*inches/acre*

Process wastewater applied	
5,445,000.00	*gallons*
200.52	*acre-inches*
3.58	*inches/acre*

Total harvests for the crop	
1	*harvests*

Dias Field - 10/13/2018: Alfalfa, hay

Field name: Dias Field Crop: Alfalfa, hay Plant date: 10/13/2018

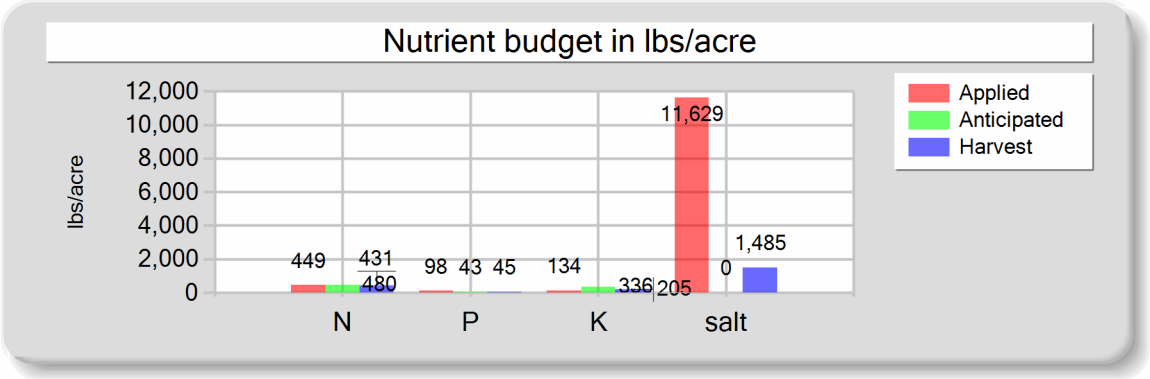

	Total N (lbs/acre)	Total P (lbs/acre)	Total K (lbs/acre)	Total salt (lbs/acre)
Existing soil nutrient content	0.00	0.00	0.00	0.00
Plowdown credit	0.00	0.00	0.00	0.00
Commercial fertilizer / Other	0.00	0.00	0.00	0.00
Dry manure	435.48	98.48	133.64	11,446.35
Process wastewater	0.00	0.00	0.00	0.00
Fresh water	0.00	0.00	0.00	182.55
Atmospheric deposition	14.00	0.00	0.00	0.00
Total nutrients applied	449.48	98.48	133.64	11,628.90
Anticipated crop nutrient removal	480.00	43.20	336.00	0.00
Actual crop nutrient removal	431.30	45.35	205.47	1,485.32
Nutrient balance	18.18	53.13	-71.83	10,143.58
Applied to removed ratio	1.04	2.17	0.65	7.83

Fresh water applied	
54,720,000.00	*gallons*
2,015.15	*acre-inches*
42.88	*inches/acre*

Process wastewater applied	
0.00	*gallons*
0.00	*acre-inches*
0.00	*inches/acre*

Total harvests for the crop	
1	*harvests*

House Field - 02/12/2001: Almond, in shell

Field name: House Field Crop: Almond, in shell Plant date: 02/12/2001

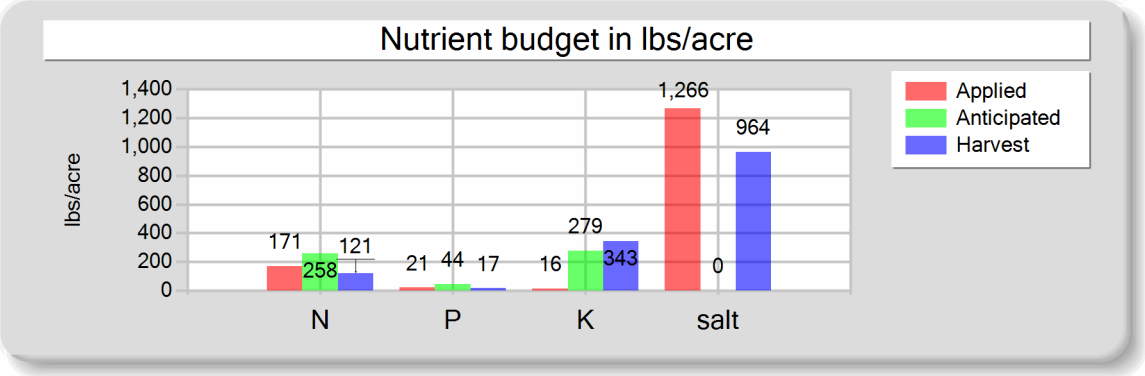

	Total N (lbs/acre)	Total P (lbs/acre)	Total K (lbs/acre)	Total salt (lbs/acre)
Existing soil nutrient content	0.00	0.00	0.00	0.00
Plowdown credit	0.00	0.00	0.00	0.00
Commercial fertilizer / Other	100.00	0.00	0.00	0.00
Dry manure	57.50	20.77	15.73	1,133.35
Process wastewater	0.00	0.00	0.00	0.00
Fresh water	0.00	0.00	0.00	132.29
Atmospheric deposition	14.00	0.00	0.00	0.00
Total nutrients applied	171.50	20.77	15.73	1,265.64
Anticipated crop nutrient removal	258.00	43.80	279.00	0.00
Actual crop nutrient removal	120.54	16.76	343.27	963.54
Nutrient balance	50.96	4.00	-327.54	302.10
Applied to removed ratio	1.42	1.24	0.05	1.31

Fresh water applied	
60,390,000.00	*gallons*
2,223.96	*acre-inches*
27.80	*inches/acre*

Process wastewater applied	
0.00	*gallons*
0.00	*acre-inches*
0.00	*inches/acre*

Total harvests for the crop	
1	*harvests*

Jorge Field - 02/10/2013: Almond, in shell

Field name: Jorge Field Crop: Almond, in shell Plant date: 02/10/2013

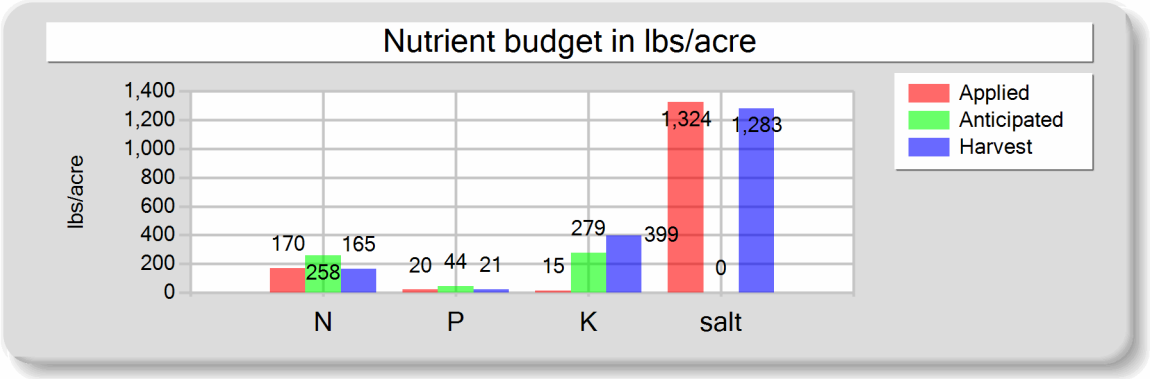

	Total N (lbs/acre)	Total P (lbs/acre)	Total K (lbs/acre)	Total salt (lbs/acre)
Existing soil nutrient content	0.00	0.00	0.00	0.00
Plowdown credit	0.00	0.00	0.00	0.00
Commercial fertilizer / Other	100.00	0.00	0.00	0.00
Dry manure	56.30	20.33	15.40	1,109.74
Process wastewater	0.00	0.00	0.00	0.00
Fresh water	0.00	0.00	0.00	214.24
Atmospheric deposition	14.00	0.00	0.00	0.00
Total nutrients applied	170.30	20.33	15.40	1,323.98
Anticipated crop nutrient removal	258.00	43.80	279.00	0.00
Actual crop nutrient removal	164.96	21.40	399.46	1,282.62
Nutrient balance	5.34	-1.07	-384.06	41.35
Applied to removed ratio	1.03	0.95	0.04	1.03

Fresh water applied	
117,359,000.00	*gallons*
4,321.93	*acre-inches*
45.02	*inches/acre*

Process wastewater applied	
0.00	*gallons*
0.00	*acre-inches*
0.00	*inches/acre*

Total harvests for the crop	
1	*harvests*

Martin - 10/18/2022: Oats, silage-soft dough

Field name: Martin | Crop: Oats, silage-soft dough | Plant date: 10/18/2022

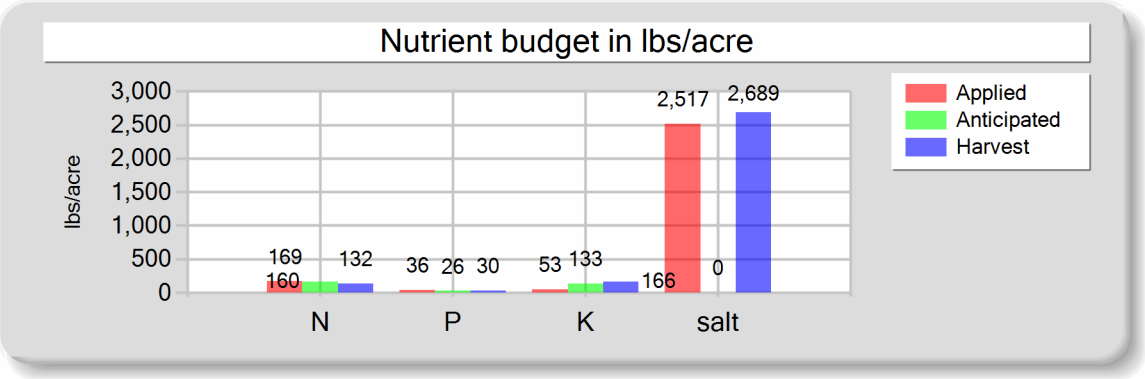

	Total N (lbs/acre)	Total P (lbs/acre)	Total K (lbs/acre)	Total salt (lbs/acre)
Existing soil nutrient content	0.00	0.00	0.00	0.00
Plowdown credit	0.00	0.00	0.00	0.00
Commercial fertilizer / Other	0.00	0.00	0.00	0.00
Dry manure	161.99	36.11	53.01	2,496.45
Process wastewater	0.00	0.00	0.00	0.00
Fresh water	0.00	0.00	0.00	21.03
Atmospheric deposition	7.00	0.00	0.00	0.00
Total nutrients applied	168.99	36.11	53.01	2,517.48
Anticipated crop nutrient removal	160.00	25.60	132.80	0.00
Actual crop nutrient removal	131.98	30.46	166.02	2,689.31
Nutrient balance	37.01	5.66	-113.01	-171.83
Applied to removed ratio	1.28	1.19	0.32	0.94

Fresh water applied	
2,040,000.00	*gallons*
75.13	*acre-inches*
9.39	*inches/acre*

Process wastewater applied	
0.00	*gallons*
0.00	*acre-inches*
0.00	*inches/acre*

Total harvests for the crop	
1	*harvests*

Martin - 06/03/2023: Corn, silage

Field name: Martin | Crop: Corn, silage | Plant date: 06/03/2023

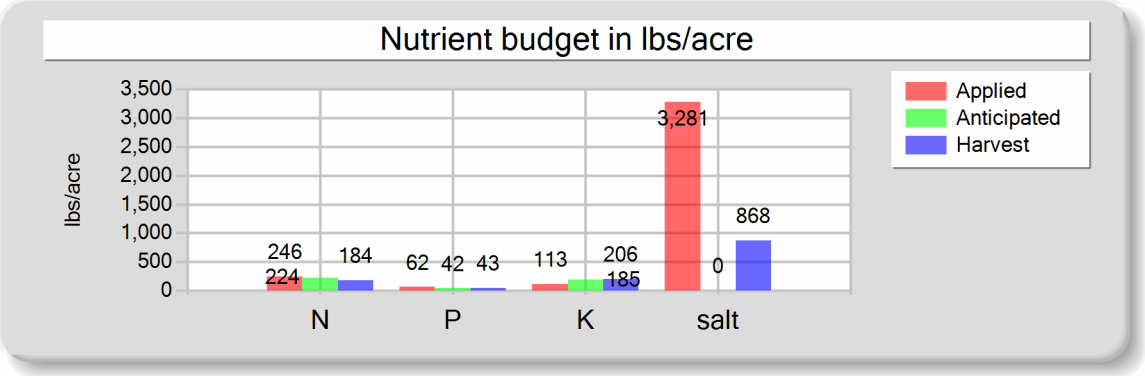

	Total N (lbs/acre)	Total P (lbs/acre)	Total K (lbs/acre)	Total salt (lbs/acre)
Existing soil nutrient content	0.00	0.00	0.00	0.00
Plowdown credit	0.00	0.00	0.00	0.00
Commercial fertilizer / Other	43.20	0.00	0.00	0.00
Dry manure	196.02	61.92	112.67	3,123.56
Process wastewater	0.00	0.00	0.00	0.00
Fresh water	0.00	0.00	0.00	157.72
Atmospheric deposition	7.00	0.00	0.00	0.00
Total nutrients applied	246.22	61.92	112.67	3,281.28
Anticipated crop nutrient removal	224.00	42.00	184.80	0.00
Actual crop nutrient removal	184.24	43.06	206.27	868.43
Nutrient balance	61.98	18.87	-93.60	2,412.85
Applied to removed ratio	1.34	1.44	0.55	3.78

Fresh water applied	
7,200,000.00	*gallons*
265.15	*acre-inches*
33.14	*inches/acre*

Process wastewater applied	
0.00	*gallons*
0.00	*acre-inches*
0.00	*inches/acre*

Total harvests for the crop	
1	*harvests*

Mom's Place Field - 10/19/2022: Oats, silage-soft dough

Field name: Mom's Place Field Crop: Oats, silage-soft dough Plant date: 10/19/2022

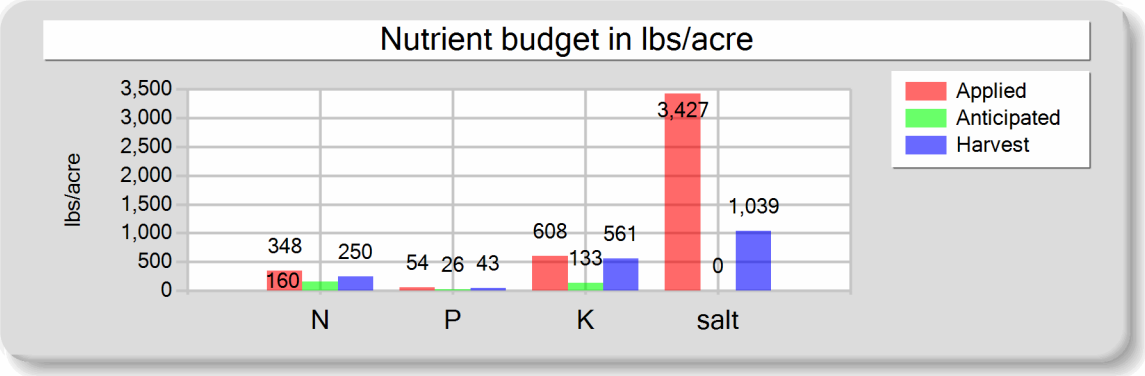

	Total N (lbs/acre)	Total P (lbs/acre)	Total K (lbs/acre)	Total salt (lbs/acre)
Existing soil nutrient content	0.00	0.00	0.00	0.00
Plowdown credit	0.00	0.00	0.00	0.00
Commercial fertilizer / Other	0.00	0.00	0.00	0.00
Dry manure	0.00	0.00	0.00	0.00
Process wastewater	341.18	54.10	608.06	3,411.86
Fresh water	0.00	0.00	0.00	15.21
Atmospheric deposition	7.00	0.00	0.00	0.00
Total nutrients applied	348.18	54.10	608.06	3,427.07
Anticipated crop nutrient removal	160.00	25.60	132.80	0.00
Actual crop nutrient removal	250.17	43.44	561.21	1,038.52
Nutrient balance	98.02	10.66	46.85	2,388.55
Applied to removed ratio	1.39	1.25	1.08	3.30

Fresh water applied	
14,074,500.00	*gallons*
518.32	*acre-inches*
6.73	*inches/acre*

Process wastewater applied	
4,815,000.00	*gallons*
177.32	*acre-inches*
2.30	*inches/acre*

Total harvests for the crop	
1	*harvests*

Mom's Place Field - 06/03/2023: Corn, silage

Field name: Mom's Place Field Crop: Corn, silage Plant date: 06/03/2023

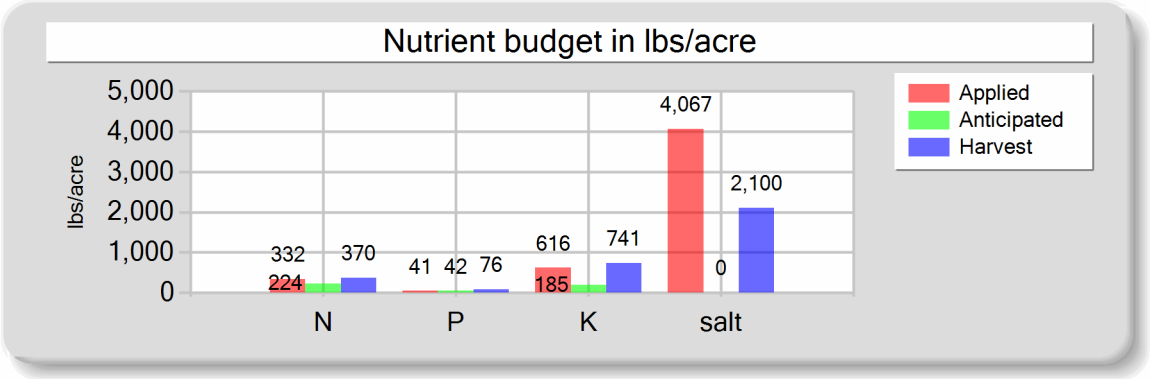

	Total N (lbs/acre)	Total P (lbs/acre)	Total K (lbs/acre)	Total salt (lbs/acre)
Existing soil nutrient content	0.00	0.00	0.00	0.00
Plowdown credit	0.00	0.00	0.00	0.00
Commercial fertilizer / Other	8.00	0.00	0.00	0.00
Dry manure	0.00	0.00	0.00	0.00
Process wastewater	316.90	40.67	616.25	3,926.04
Fresh water	0.00	0.00	0.00	141.03
Atmospheric deposition	7.00	0.00	0.00	0.00
Total nutrients applied	331.90	40.67	616.25	4,067.07
Anticipated crop nutrient removal	224.00	42.00	184.80	0.00
Actual crop nutrient removal	369.85	76.10	740.71	2,100.37
Nutrient balance	-37.94	-35.43	-124.46	1,966.70
Applied to removed ratio	0.90	0.53	0.83	1.94

Fresh water applied	
61,965,000.00	*gallons*
2,281.96	*acre-inches*
29.64	*inches/acre*

Process wastewater applied	
7,290,000.00	*gallons*
268.47	*acre-inches*
3.49	*inches/acre*

Total harvests for the crop	
1	*harvests*

Pedro - 02/02/2015: Almond, in shell

Field name: Pedro Crop: Almond, in shell Plant date: 02/02/2015

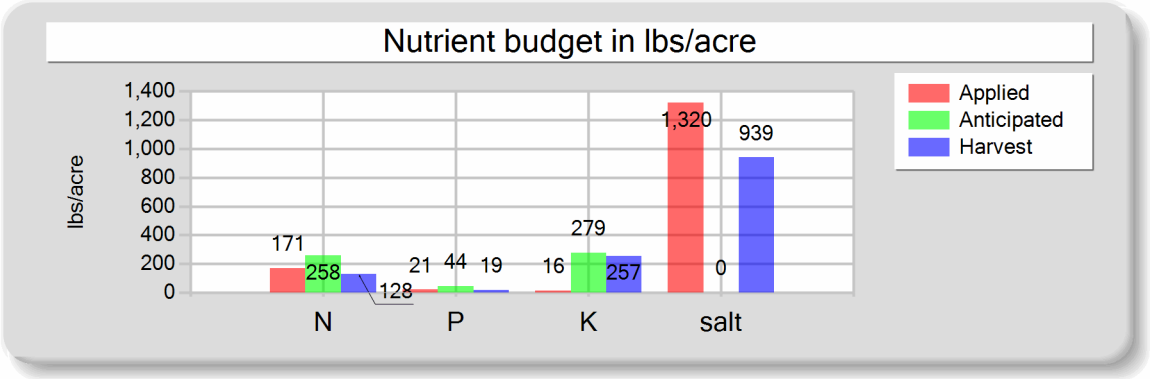

	Total N (lbs/acre)	Total P (lbs/acre)	Total K (lbs/acre)	Total salt (lbs/acre)
Existing soil nutrient content	0.00	0.00	0.00	0.00
Plowdown credit	0.00	0.00	0.00	0.00
Commercial fertilizer / Other	100.00	0.00	0.00	0.00
Dry manure	57.50	20.77	15.73	1,133.35
Process wastewater	0.00	0.00	0.00	0.00
Fresh water	0.00	0.00	0.00	186.20
Atmospheric deposition	14.00	0.00	0.00	0.00
Total nutrients applied	171.50	20.77	15.73	1,319.55
Anticipated crop nutrient removal	258.00	43.80	279.00	0.00
Actual crop nutrient removal	128.14	19.41	256.56	939.45
Nutrient balance	43.36	1.35	-240.83	380.10
Applied to removed ratio	1.34	1.07	0.06	1.40

Fresh water applied	
92,595,000.00	*gallons*
3,409.96	*acre-inches*
43.72	*inches/acre*

Process wastewater applied	
0.00	*gallons*
0.00	*acre-inches*
0.00	*inches/acre*

Total harvests for the crop	
1	*harvests*

Redwood - 10/09/2020: Almond, in shell

Field name: Redwood Crop: Almond, in shell Plant date: 10/09/2020

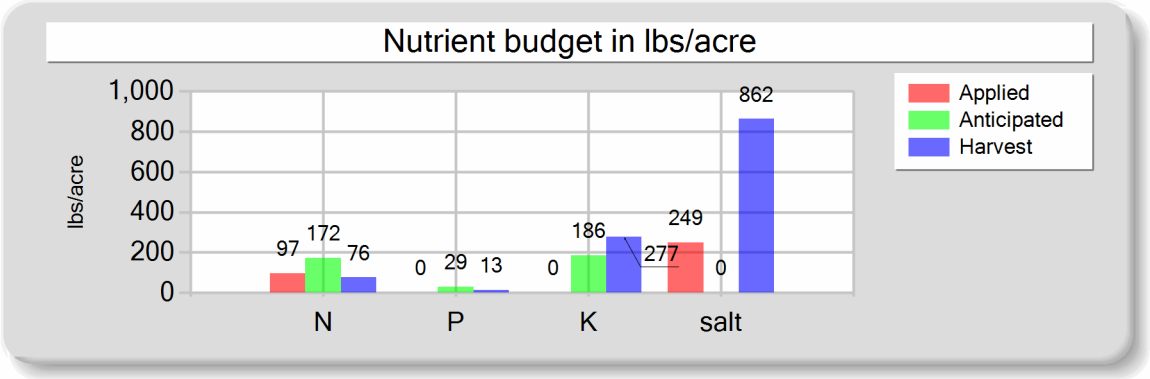

	Total N (lbs/acre)	Total P (lbs/acre)	Total K (lbs/acre)	Total salt (lbs/acre)
Existing soil nutrient content	0.00	0.00	0.00	0.00
Plowdown credit	0.00	0.00	0.00	0.00
Commercial fertilizer / Other	83.00	0.00	0.00	0.00
Dry manure	0.00	0.00	0.00	0.00
Process wastewater	0.00	0.00	0.00	0.00
Fresh water	0.00	0.00	0.00	249.38
Atmospheric deposition	14.00	0.00	0.00	0.00
Total nutrients applied	97.00	0.00	0.00	249.38
Anticipated crop nutrient removal	172.00	29.20	186.00	0.00
Actual crop nutrient removal	75.60	13.37	277.16	862.25
Nutrient balance	21.40	-13.37	-277.16	-612.86
Applied to removed ratio	1.28	0.00	0.00	0.29

Fresh water applied	
54,076,000.00	*gallons*
1,991.44	*acre-inches*
52.41	*inches/acre*

Process wastewater applied	
0.00	*gallons*
0.00	*acre-inches*
0.00	*inches/acre*

Total harvests for the crop	
1	*harvests*

Wagner 1, 3 - 10/18/2022: Oats, silage-soft dough

Field name: Wagner 1, 3 Crop: Oats, silage-soft dough Plant date: 10/18/2022

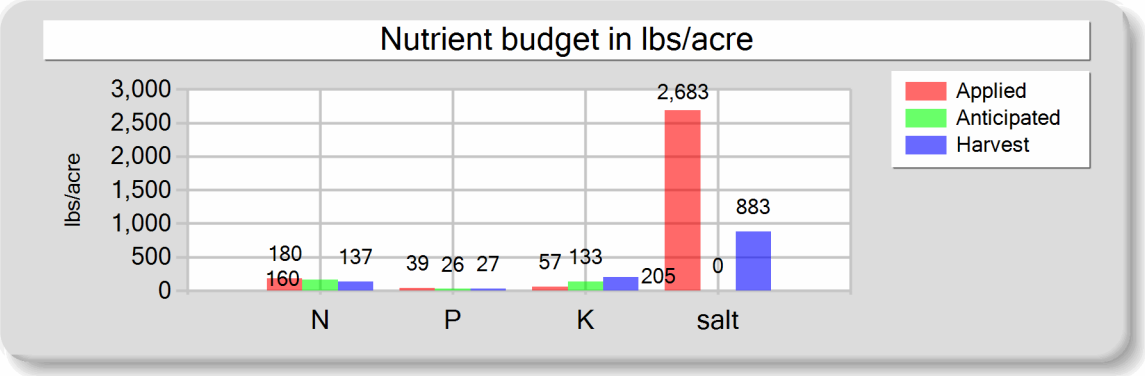

	Total N (lbs/acre)	Total P (lbs/acre)	Total K (lbs/acre)	Total salt (lbs/acre)
Existing soil nutrient content	0.00	0.00	0.00	0.00
Plowdown credit	0.00	0.00	0.00	0.00
Commercial fertilizer / Other	0.00	0.00	0.00	0.00
Dry manure	172.79	38.52	56.55	2,662.88
Process wastewater	0.00	0.00	0.00	0.00
Fresh water	0.00	0.00	0.00	19.86
Atmospheric deposition	7.00	0.00	0.00	0.00
Total nutrients applied	179.79	38.52	56.55	2,682.74
Anticipated crop nutrient removal	160.00	25.60	132.80	0.00
Actual crop nutrient removal	137.42	27.29	204.84	882.91
Nutrient balance	42.37	11.23	-148.29	1,799.83
Applied to removed ratio	1.31	1.41	0.28	3.04

Fresh water applied	
4,200,000.00	*gallons*
154.67	*acre-inches*
8.59	*inches/acre*

Process wastewater applied	
0.00	*gallons*
0.00	*acre-inches*
0.00	*inches/acre*

Total harvests for the crop	
1	*harvests*

Wagner 1, 3 - 06/03/2023: Corn, silage

Field name: Wagner 1, 3 Crop: Corn, silage Plant date: 06/03/2023

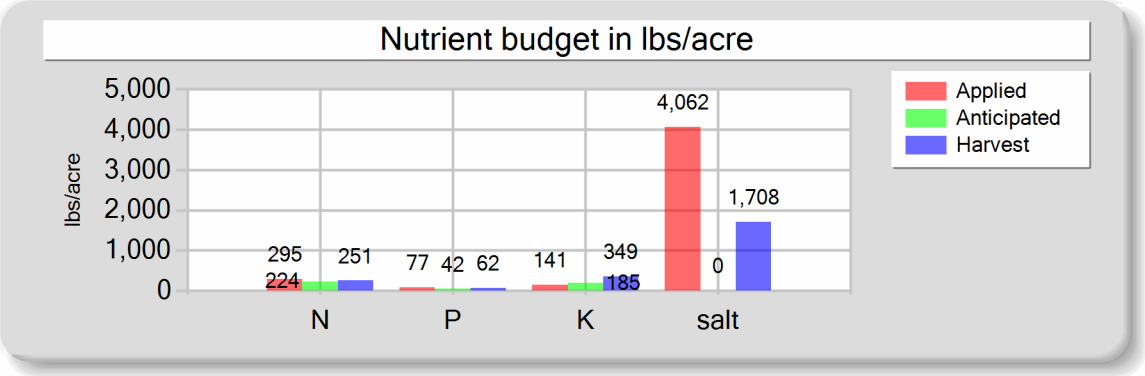

	Total N (lbs/acre)	Total P (lbs/acre)	Total K (lbs/acre)	Total salt (lbs/acre)
Existing soil nutrient content	0.00	0.00	0.00	0.00
Plowdown credit	0.00	0.00	0.00	0.00
Commercial fertilizer / Other	43.20	0.00	0.00	0.00
Dry manure	245.03	77.40	140.84	3,904.45
Process wastewater	0.00	0.00	0.00	0.00
Fresh water	0.00	0.00	0.00	157.72
Atmospheric deposition	7.00	0.00	0.00	0.00
Total nutrients applied	295.23	77.40	140.84	4,062.17
Anticipated crop nutrient removal	224.00	42.00	184.80	0.00
Actual crop nutrient removal	251.11	61.65	348.73	1,708.31
Nutrient balance	44.12	15.75	-207.89	2,353.86
Applied to removed ratio	1.18	1.26	0.40	2.38

Fresh water applied	
16,200,000.00	*gallons*
596.59	*acre-inches*
33.14	*inches/acre*

Process wastewater applied	
0.00	*gallons*
0.00	*acre-inches*
0.00	*inches/acre*

Total harvests for the crop	
1	*harvests*

Wagner 2, 5 - 02/06/2013: Almond, in shell

Field name: Wagner 2, 5 Crop: Almond, in shell Plant date: 02/06/2013

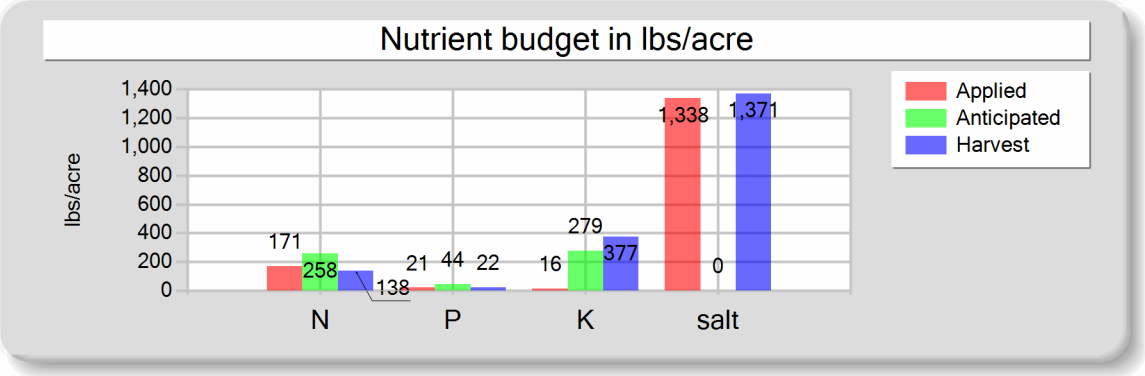

	Total N (lbs/acre)	Total P (lbs/acre)	Total K (lbs/acre)	Total salt (lbs/acre)
Existing soil nutrient content	0.00	0.00	0.00	0.00
Plowdown credit	0.00	0.00	0.00	0.00
Commercial fertilizer / Other	100.00	0.00	0.00	0.00
Dry manure	57.50	20.77	15.73	1,133.35
Process wastewater	0.00	0.00	0.00	0.00
Fresh water	0.00	0.00	0.00	204.34
Atmospheric deposition	14.00	0.00	0.00	0.00
Total nutrients applied	171.50	20.77	15.73	1,337.69
Anticipated crop nutrient removal	258.00	43.80	279.00	0.00
Actual crop nutrient removal	137.84	22.38	376.67	1,370.69
Nutrient balance	33.66	-1.62	-360.94	-33.00
Applied to removed ratio	1.24	0.93	0.04	0.98

Fresh water applied	
44,308,000.00	*gallons*
1,631.71	*acre-inches*
42.94	*inches/acre*

Process wastewater applied	
0.00	*gallons*
0.00	*acre-inches*
0.00	*inches/acre*

Total harvests for the crop	
1	*harvests*

Wagner 4 - 02/04/2005: Almond, in shell

Field name: Wagner 4 Crop: Almond, in shell Plant date: 02/04/2005

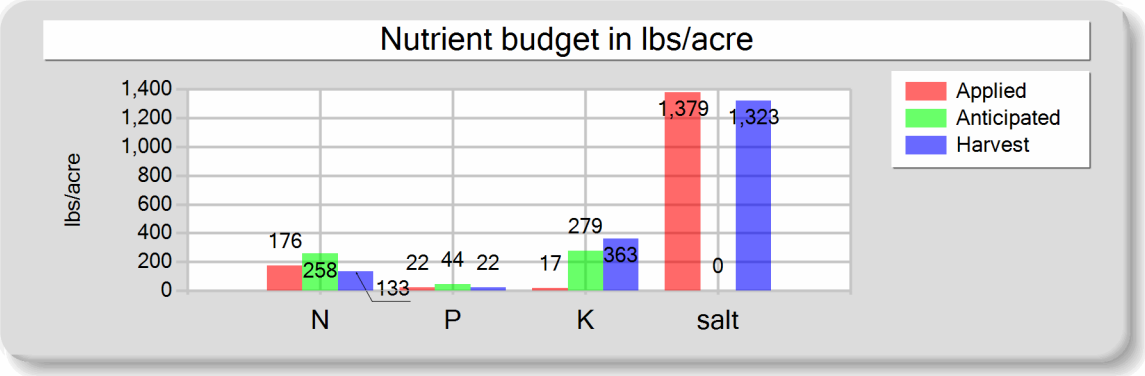

	Total N (lbs/acre)	Total P (lbs/acre)	Total K (lbs/acre)	Total salt (lbs/acre)
Existing soil nutrient content	0.00	0.00	0.00	0.00
Plowdown credit	0.00	0.00	0.00	0.00
Commercial fertilizer / Other	100.00	0.00	0.00	0.00
Dry manure	61.92	22.36	16.94	1,220.53
Process wastewater	0.00	0.00	0.00	0.00
Fresh water	0.00	0.00	0.00	158.93
Atmospheric deposition	14.00	0.00	0.00	0.00
Total nutrients applied	175.92	22.36	16.94	1,379.47
Anticipated crop nutrient removal	258.00	43.80	279.00	0.00
Actual crop nutrient removal	133.01	21.60	363.47	1,322.66
Nutrient balance	42.91	0.77	-346.53	56.80
Applied to removed ratio	1.32	1.04	0.05	1.04

Fresh water applied	
13,410,000.00	*gallons*
493.84	*acre-inches*
37.99	*inches/acre*

Process wastewater applied	
0.00	*gallons*
0.00	*acre-inches*
0.00	*inches/acre*

Total harvests for the crop	
1	*harvests*

NUTRIENT ANALYSES

A. MANURE ANALYSES

Compost

Sample and source description: Compost

Sample date: 11/15/2022 Material type: Compost Source of analysis: Lab analysis Method of reporting: Dry-weight

Moisture: 40.6 %

	Total N (mg/kg)	Total P (mg/kg)	Total K (mg/kg)	Calcium (mg/kg)	Magnesium (mg/kg)	Sodium (mg/kg)	Sulfur (mg/kg)	Chloride (mg/kg)	Total salt (mg/kg)	TFS (%)
Value	24,200.00	8,740.00	6,620.00							47.70
DL	100.00	100.00	100.00							0.01

Separated Solids

Sample and source description: Separated Solids

Sample date: 11/15/2022 Material type: Separator solids Source of analysis: Lab analysis Method of reporting: Dry-weight

Moisture: 81.3 %

	Total N (mg/kg)	Total P (mg/kg)	Total K (mg/kg)	Calcium (mg/kg)	Magnesium (mg/kg)	Sodium (mg/kg)	Sulfur (mg/kg)	Chloride (mg/kg)	Total salt (mg/kg)	TFS (%)
Value	23,100.00	5,150.00	7,560.00	17,400.00	4,720.00	5,030.00	6,400.00	1,280.00		35.60
DL	100.00	100.00	100.00	100.00	100.00	100.00	100.00	50.00		0.01

Corral Solids

Sample and source description: Corral Solids

Sample date: 05/03/2023 Material type: Corral solids Source of analysis: Lab analysis Method of reporting: Dry-weight

Moisture: 29.0 %

	Total N (mg/kg)	Total P (mg/kg)	Total K (mg/kg)	Calcium (mg/kg)	Magnesium (mg/kg)	Sodium (mg/kg)	Sulfur (mg/kg)	Chloride (mg/kg)	Total salt (mg/kg)	TFS (%)
Value	21,000.00	4,290.00	6,320.00							62.40
DL	100.00	100.00	100.00							0.01

Corral Solids Imported from Borba & Sons

Sample and source description: Corral Solids Imported from Borba & Sons

Sample date: 05/03/2023 Material type: Corral solids Source of analysis: Lab analysis Method of reporting: Dry-weight

Moisture: 34.8 %

	Total N (mg/kg)	Total P (mg/kg)	Total K (mg/kg)	Calcium (mg/kg)	Magnesium (mg/kg)	Sodium (mg/kg)	Sulfur (mg/kg)	Chloride (mg/kg)	Total salt (mg/kg)	TFS (%)
Value	21,800.00	4,930.00	6,690.00							57.30
DL	100.00	100.00	100.00							0.01

Separated Solids

Sample and source description: Separated Solids

Sample date: 05/03/2023 Material type: Separator solids Source of analysis: Lab analysis Method of reporting: Dry-weight

Moisture: 92.1 %

	Total N (mg/kg)	Total P (mg/kg)	Total K (mg/kg)	Calcium (mg/kg)	Magnesium (mg/kg)	Sodium (mg/kg)	Sulfur (mg/kg)	Chloride (mg/kg)	Total salt (mg/kg)	TFS (%)
Value	14,400.00	3,180.00	6,070.00							8.80
DL	100.00	100.00	100.00							0.01

Corral Solids

Sample and source description: Corral Solids

Sample date: 10/23/2023 Material type: Corral solids Source of analysis: Lab analysis Method of reporting: Dry-weight

Moisture: 31.4 %

	Total N (mg/kg)	Total P (mg/kg)	Total K (mg/kg)	Calcium (mg/kg)	Magnesium (mg/kg)	Sodium (mg/kg)	Sulfur (mg/kg)	Chloride (mg/kg)	Total salt (mg/kg)	TFS (%)
Value	20,900.00	5,580.00	22,000.00							38.20
DL	100.00	100.00	100.00							0.01

Separated Solids

Sample and source description: Separated Solids

Sample date: 10/23/2023 Material type: Separator solids Source of analysis: Lab analysis Method of reporting: Dry-weight

Moisture: 77.1 %

	Total N (mg/kg)	Total P (mg/kg)	Total K (mg/kg)	Calcium (mg/kg)	Magnesium (mg/kg)	Sodium (mg/kg)	Sulfur (mg/kg)	Chloride (mg/kg)	Total salt (mg/kg)	TFS (%)
Value	21,400.00	6,760.00	12,300.00							34.10
DL	100.00	100.00	100.00							0.01

B. PROCESS WASTEWATER ANALYSES

WWQ4

Sample and source description: WWQ4

Sample date: 12/13/2022 Material type: Process wastewater Source of analysis: Lab analysis pH: 0.00

	Kjeldahl-N (mg/L)	NH4-N (mg/L)	NH3-N (mg/L)	Nitrate-N (mg/L)	Total P (mg/L)	Total K (mg/L)	Calcium (mg/L)	Magnes. (mg/L)	Sodium (mg/L)	Bicarb. (mg/L)	Carb. (mg/L)	Sulfate (mg/L)	Chloride (mg/L)	EC (µmhos/cm)	TDS (mg/L)
Value	602.00	431.00	0.00	0.00	109.00	1,230.00								8,530.00	6,640
DL	0.50	0.50	0.50	0.50	0.50	0.50								1.00	10

WWQ1

Sample and source description: WWQ1

Sample date: 03/22/2023 Material type: Process wastewater Source of analysis: Lab analysis pH: 0.00

	Kjeldahl-N (mg/L)	NH4-N (mg/L)	NH3-N (mg/L)	Nitrate-N (mg/L)	Total P (mg/L)	Total K (mg/L)	Calcium (mg/L)	Magnes. (mg/L)	Sodium (mg/L)	Bicarb. (mg/L)	Carb. (mg/L)	Sulfate (mg/L)	Chloride (mg/L)	EC (µmhos/cm)	TDS (mg/L)
Value	1,320.00	568.00	0.00	0.00	177.00	1,480.00								9,580.00	5,940
DL	0.50	0.50	0.50	0.50	0.50	0.50								1.00	10

WWQ2

Sample and source description: WWQ2

Sample date: 06/07/2023 Material type: Process wastewater Source of analysis: Lab analysis pH: 0.00

	Kjeldahl-N (mg/L)	NH4-N (mg/L)	NH3-N (mg/L)	Nitrate-N (mg/L)	Total P (mg/L)	Total K (mg/L)	Calcium (mg/L)	Magnes. (mg/L)	Sodium (mg/L)	Bicarb. (mg/L)	Carb. (mg/L)	Sulfate (mg/L)	Chloride (mg/L)	EC (µmhos/cm)	TDS (mg/L)
Value	770.00	431.00	0.00	0.00	91.70	1,020.00								7,520.00	6,310
DL	0.50	0.50	0.50	0.50	0.50	0.50								1.00	10

WWQ3

Sample and source description: WWQ3

Sample date: 09/20/2023 Material type: Process wastewater Source of analysis: Lab analysis pH: 0.00

	Kjeldahl-N (mg/L)	NH4-N (mg/L)	NH3-N (mg/L)	Nitrate-N (mg/L)	Total P (mg/L)	Total K (mg/L)	Calcium (mg/L)	Magnes. (mg/L)	Sodium (mg/L)	Bicarb. (mg/L)	Carb. (mg/L)	Sulfate (mg/L)	Chloride (mg/L)	EC (µmhos/cm)	TDS (mg/L)
Value	272.00	210.00	0.00	0.00	37.40	696.00	136.00	107.00	372.00	1,940.00	0.00	179.00	230.00	4,410.00	4,500
DL	0.50	0.50	0.50	0.50	0.50	0.50	0.50	0.50	0.50	0.50	2.00	1.00	0.10	1.00	10

WWQ4

Sample and source description: WWQ4

Sample date: 12/12/2023 Material type: Process wastewater Source of analysis: Lab analysis pH: 0.00

	Kjeldahl-N (mg/L)	NH4-N (mg/L)	NH3-N (mg/L)	Nitrate-N (mg/L)	Total P (mg/L)	Total K (mg/L)	Calcium (mg/L)	Magnes. (mg/L)	Sodium (mg/L)	Bicarb. (mg/L)	Carb. (mg/L)	Sulfate (mg/L)	Chloride (mg/L)	EC (µmhos/cm)	TDS (mg/L)
Value	717.00	409.00	0.00	0.00	83.50	868.00								7,570.00	6,960
DL	0.50	0.50	0.50	0.50	0.50	0.50								1.00	10

C. FRESH WATER ANALYSES

IW - Apple

IW - Apple

IW - Apple

Sample description: IW - Apple

Sample date: 12/12/2023 Source of analysis: Lab analysis

	Total N (mg/L)	NH4-N (mg/L)	Nitrate-N (mg/L)	Calcium (mg/L)	Magnesium (mg/L)	Sodium (mg/L)	Bicarbonate (mg/L)	Carbonate (mg/L)	Sulfate (mg/L)	Chloride (mg/L)	EC (µmhos/cm)	TDS (mg/L)
Value	46.90	0.00	44.10								1,410.00	760
DL	0.50	0.50	0.50								1.00	10

IW - Jorge

IW - Jorge

Sample description: IW - Jorge

Sample date: 12/12/2023 Source of analysis: Lab analysis

	Total N (mg/L)	NH4-N (mg/L)	Nitrate-N (mg/L)	Calcium (mg/L)	Magnesium (mg/L)	Sodium (mg/L)	Bicarbonate (mg/L)	Carbonate (mg/L)	Sulfate (mg/L)	Chloride (mg/L)	EC (µmhos/cm)	TDS (mg/L)
Value	7.51	0.00	4.71								917.00	455
DL	0.50	0.50	0.50								1.00	10

TID Lateral 2.5

TID Lateral 2.5

Sample description: TID Lateral 2.5

Sample date: 07/22/2022 Source of analysis: Lab analysis

	Total N (mg/L)	NH4-N (mg/L)	Nitrate-N (mg/L)	Calcium (mg/L)	Magnesium (mg/L)	Sodium (mg/L)	Bicarbonate (mg/L)	Carbonate (mg/L)	Sulfate (mg/L)	Chloride (mg/L)	EC (µmhos/cm)	TDS (mg/L)
Value	0.00	0.00	0.00								0.00	0
DL	0.50	0.50	0.50								1.00	10

TID Lateral 2.5

TID Lateral 2.5

Sample description: TID Lateral 2.5

Sample date: 07/25/2023 Source of analysis: Lab analysis

	Total N (mg/L)	NH4-N (mg/L)	Nitrate-N (mg/L)	Calcium (mg/L)	Magnesium (mg/L)	Sodium (mg/L)	Bicarbonate (mg/L)	Carbonate (mg/L)	Sulfate (mg/L)	Chloride (mg/L)	EC (µmhos/cm)	TDS (mg/L)
Value	0.00	0.00	0.00								30.50	21
DL	1.00	0.50	0.50								10.00	10

D. SOIL ANALYSES

No soil analyses entered.

E. PLANT TISSUE ANALYSES

Apple Ranch Field - 10/20/2022: Oats, silage-soft dough

Forage

Sample and source description: Forage

Sample date: 05/15/2023 Source of analysis: Lab analysis Method of reporting: As-is

Moisture: 72.8 %

	Total N (mg/kg)	Total P (mg/kg)	Total K (mg/kg)	Total salt (mg/kg)	TFS (%)
Value	5,790.00	1,120.00	9,020.00		10.90
DL	100.00	100.00	100.00		0.01

Apple Ranch Field - 06/04/2023: Corn, silage

Apple Ranch Field - 06/04/2023: Corn, silage

Corn Silage

Sample and source description: Corn Silage

Sample date: 10/04/2023 Source of analysis: Lab analysis Method of reporting: As-is

Moisture: 69.6 %

	Total N (mg/kg)	Total P (mg/kg)	Total K (mg/kg)	Total salt (mg/kg)	TFS (%)
Value	3,250.00	630.00	5,870.00		6.50
DL	100.00	100.00	100.00		0.01

Dairy Field - 10/19/2022: Oats, silage-soft dough

Oats

Sample and source description: Oats

Sample date: 05/12/2023 Source of analysis: Lab analysis Method of reporting: As-is

Moisture: 67.2 %

	Total N (mg/kg)	Total P (mg/kg)	Total K (mg/kg)	Total salt (mg/kg)	TFS (%)
Value	7,840.00	1,610.00	20,500.00		11.60
DL	100.00	100.00	100.00		0.01

Dairy Field - 06/03/2023: Corn, silage

Corn Silage

Sample and source description: Corn Silage

Sample date: 09/22/2023 Source of analysis: Lab analysis Method of reporting: As-is

Moisture: 61.2 %

	Total N (mg/kg)	Total P (mg/kg)	Total K (mg/kg)	Total salt (mg/kg)	TFS (%)
Value	4,660.00	850.00	6,510.00		5.80
DL	100.00	100.00	100.00		0.01

Dias Field - 10/13/2018: Alfalfa, hay

Alfalfa

Sample and source description: Alfalfa

Sample date: 01/25/2024 Source of analysis: Lab analysis Method of reporting: As-is

Moisture: 12.4 %

	Total N (mg/kg)	Total P (mg/kg)	Total K (mg/kg)	Total salt (mg/kg)	TFS (%)
Value	23,300.00	2,450.00	11,100.00		9.16
DL	100.00	100.00	100.00		0.01

House Field - 02/12/2001: Almond, in shell

Almonds

Sample and source description: Almonds

Sample date: 01/25/2024 Source of analysis: Lab analysis Method of reporting: As-is

Moisture: 15.2 %

	Total N (mg/kg)	Total P (mg/kg)	Total K (mg/kg)	Total salt (mg/kg)	TFS (%)
Value	9,060.00	1,260.00	25,800.00		8.54
DL	100.00	100.00	100.00		0.01

Jorge Field - 02/10/2013: Almond, in shell

Almonds

Sample and source description: Almonds

Sample date: 01/25/2024 Source of analysis: Lab analysis Method of reporting: As-is

Moisture: 16.0 %

	Total N (mg/kg)	Total P (mg/kg)	Total K (mg/kg)	Total salt (mg/kg)	TFS (%)
Value	12,100.00	1,570.00	29,300.00		11.20
DL	100.00	100.00	100.00		0.01

Martin - 10/18/2022: Oats, silage-soft dough

Forage

Sample and source description: Forage

Sample date: 05/15/2023 Source of analysis: Lab analysis Method of reporting: As-is

Moisture: 56.7 %

	Total N (mg/kg)	Total P (mg/kg)	Total K (mg/kg)	Total salt (mg/kg)	TFS (%)
Value	4,420.00	1,020.00	5,560.00		20.80
DL	100.00	100.00	100.00		0.01

Martin - 06/03/2023: Corn, silage

Corn Silage

Sample and source description: Corn Silage

Sample date: 09/29/2023 Source of analysis: Lab analysis Method of reporting: As-is

Moisture: 64.6 %

	Total N (mg/kg)	Total P (mg/kg)	Total K (mg/kg)	Total salt (mg/kg)	TFS (%)
Value	3,680.00	860.00	4,120.00		4.90
DL	100.00	100.00	100.00		0.01

Mom's Place Field - 10/19/2022: Oats, silage-soft dough

Forage

Sample and source description: Forage

Sample date: 05/12/2023 Source of analysis: Lab analysis Method of reporting: As-is

Moisture: 68.2 %

	Total N (mg/kg)	Total P (mg/kg)	Total K (mg/kg)	Total salt (mg/kg)	TFS (%)
Value	7,890.00	1,370.00	17,700.00		10.30
DL	100.00	100.00	100.00		0.01

Mom's Place Field - 06/03/2023: Corn, silage

Corn Silage

Sample and source description: Corn Silage

Sample date: 09/29/2023 Source of analysis: Lab analysis Method of reporting: As-is

Moisture: 44.8 %

	Total N (mg/kg)	Total P (mg/kg)	Total K (mg/kg)	Total salt (mg/kg)	TFS (%)
Value	7,290.00	1,500.00	14,600.00		7.50
DL	100.00	100.00	100.00		0.01

Pedro - 02/02/2015: Almond, in shell

Almond

Sample and source description: Almond

Sample date: 01/25/2024 Source of analysis: Lab analysis Method of reporting: As-is

Moisture: 15.6 %

	Total N (mg/kg)	Total P (mg/kg)	Total K (mg/kg)	Total salt (mg/kg)	TFS (%)
Value	9,440.00	1,430.00	18,900.00		8.20
DL	100.00	100.00	100.00		0.01

Redwood - 10/09/2020: Almond, in shell

Almonds

Sample and source description: Almonds

Sample date: 01/25/2024 Source of analysis: Lab analysis Method of reporting: As-is

Moisture: 15.2 %

	Total N (mg/kg)	Total P (mg/kg)	Total K (mg/kg)	Total salt (mg/kg)	TFS (%)
Value	9,220.00	1,630.00	33,800.00		12.40
DL	100.00	100.00	100.00		0.01

Wagner 1, 3 - 10/18/2022: Oats, silage-soft dough

Forage

Sample and source description: Forage

Sample date: 05/15/2023 Source of analysis: Lab analysis Method of reporting: As-is

Moisture: 59.2 %

	Total N (mg/kg)	Total P (mg/kg)	Total K (mg/kg)	Total salt (mg/kg)	TFS (%)
Value	4,280.00	850.00	6,380.00		6.74
DL	100.00	100.00	100.00		0.01

Wagner 1, 3 - 06/03/2023: Corn, silage

Corn Silage

Sample and source description: Corn Silage

Sample date: 09/29/2023 Source of analysis: Lab analysis Method of reporting: As-is

Moisture: 62.0 %

	Total N (mg/kg)	Total P (mg/kg)	Total K (mg/kg)	Total salt (mg/kg)	TFS (%)
Value	3,910.00	960.00	5,430.00		7.00
DL	100.00	100.00	100.00		0.01

Wagner 2, 5 - 02/06/2013: Almond, in shell

Almonds

Sample and source description: Almonds

Sample date: 01/25/2024 Source of analysis: Lab analysis Method of reporting: As-is

Moisture: 15.6 %

	Total N (mg/kg)	Total P (mg/kg)	Total K (mg/kg)	Total salt (mg/kg)	TFS (%)
Value	10,100.00	1,640.00	27,600.00		11.90
DL	100.00	100.00	100.00		0.01

Wagner 4 - 02/04/2005: Almond, in shell

Almonds

Sample and source description: Almonds

Sample date: 01/25/2024 Source of analysis: Lab analysis Method of reporting: As-is

Moisture: 15.6 %

	Total N (mg/kg)	Total P (mg/kg)	Total K (mg/kg)	Total salt (mg/kg)	TFS (%)
Value	10,100.00	1,640.00	27,600.00		11.90
DL	100.00	100.00	100.00		0.01

F. SUBSURFACE (TILE) DRAINAGE ANALYSES

No subsurface (tile) drainage analyses entered.

NUTRIENT APPLICATIONS, POTENTIAL REMOVAL, AND BALANCE

A. SUMMARY OF NUTRIENT APPLICATIONS, POTENTIAL REMOVAL, AND BALANCE

	Total N (lbs)	Total P (lbs)	Total K (lbs)	Total salt (lbs)
Existing soil nutrient content	0.00	0.00	0.00	0.00
Plowdown credit	0.00	0.00	0.00	0.00
Commercial fertilizer / Other	36,481.20	0.00	0.00	0.00
Dry manure	51,269.56	14,467.41	16,902.46	1,090,958.23
Process wastewater	131,375.17	18,527.80	238,306.66	1,435,421.78
Fresh water	0.00	0.00	0.00	112,065.32
Atmospheric deposition	8,806.00	0.00	0.00	0.00
Total nutrients applied	227,931.93	32,995.21	255,209.12	2,638,445.33
Anticipated crop nutrient removal	199,562.00	32,655.40	183,861.40	0.00
Actual crop nutrient removal	184,763.81	32,042.40	350,242.89	1,086,108.39
Nutrient balance	43,168.12	952.81	-95,033.77	1,552,336.94
Applied to removed ratio	1.23	1.03	0.73	2.43

B. POUNDS OF NUTRIENT APPLIED VS. CROP REMOVAL

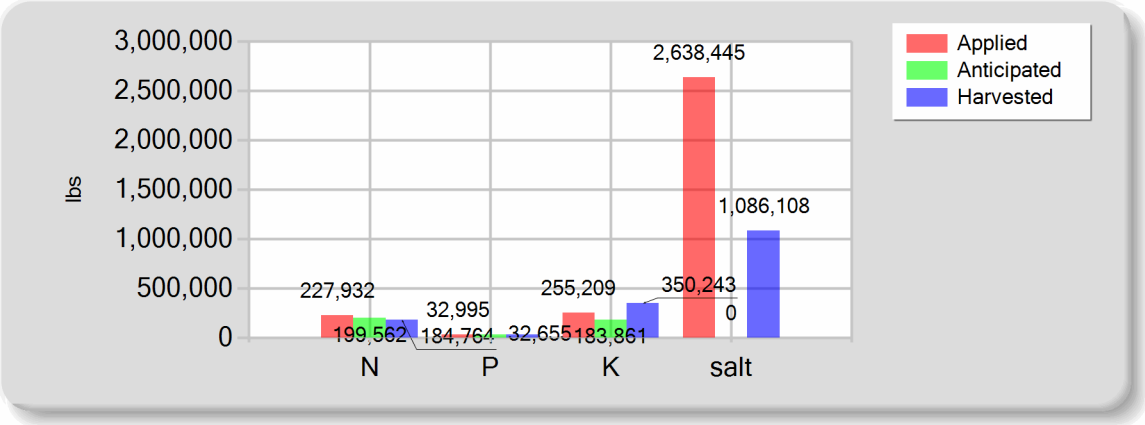

C. POUNDS OF NUTRIENT APPLIED BY MATERIAL TYPE

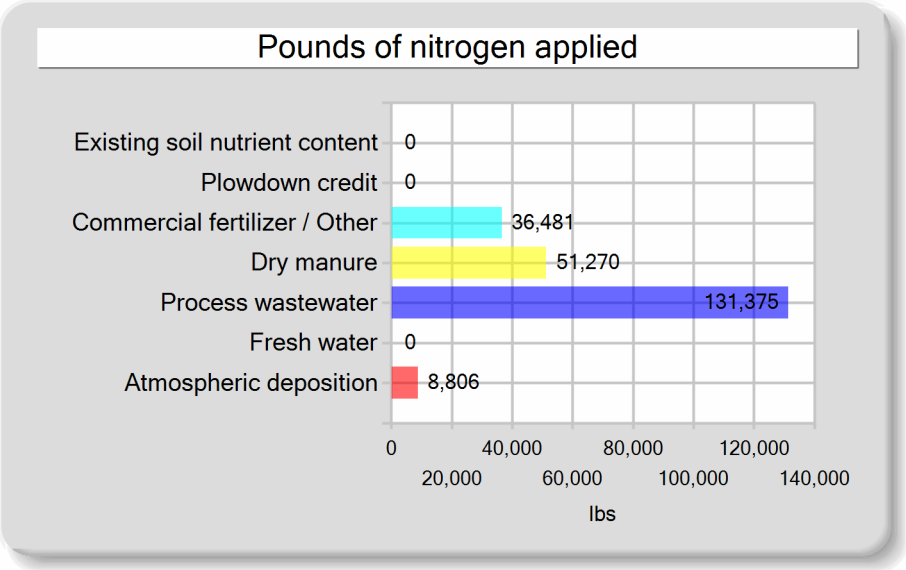

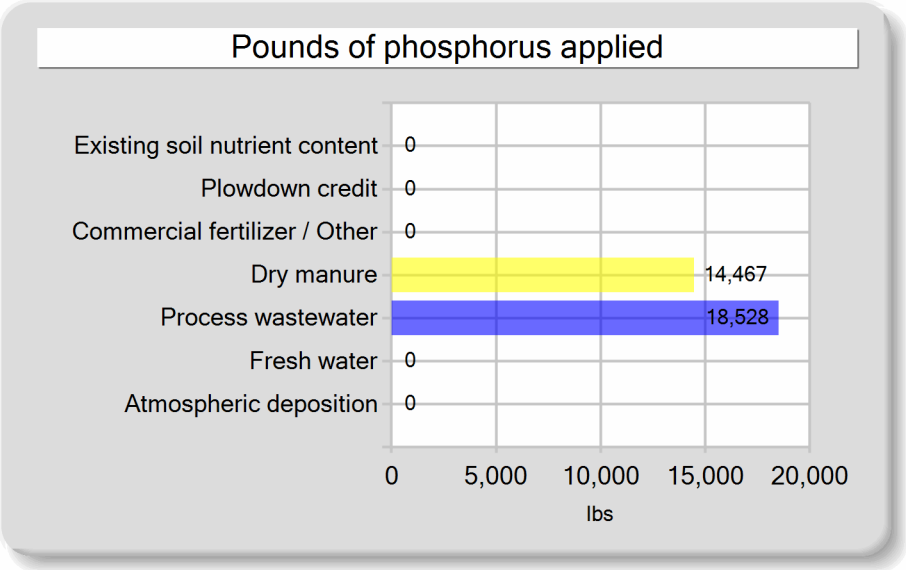

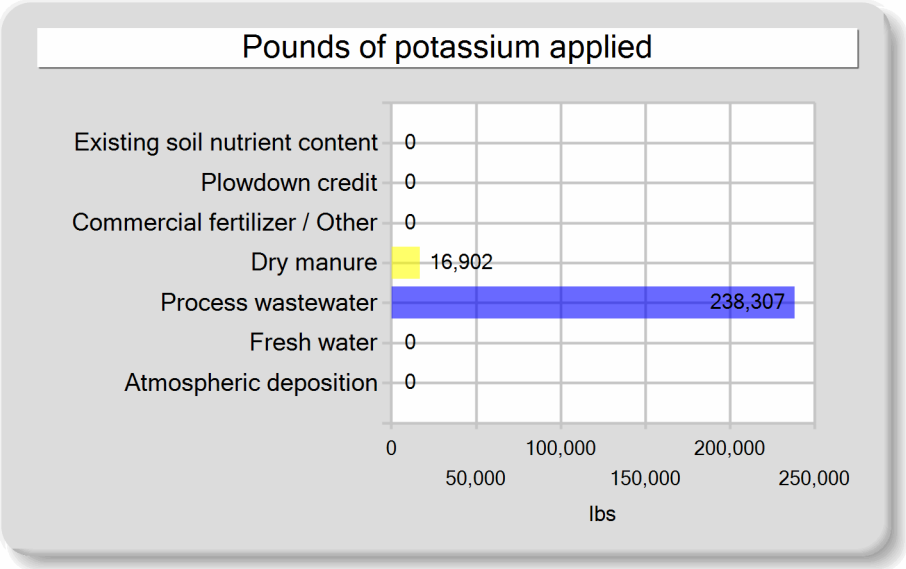

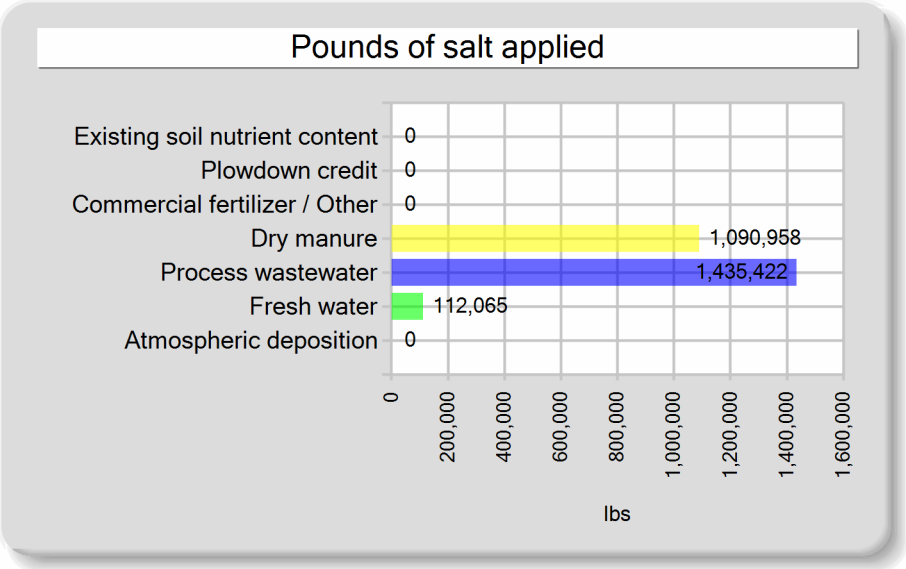

EXCEPTION REPORTING

A. MANURE, PROCESS WASTEWATER, AND OTHER DAIRY WASTE DISCHARGES

The following is a summary of all manure and process wastewater discharges from the production area to surface water or to land areas (land application areas or otherwise) when not in accordance with the facility's Nutrient Management Plan.

No manure or process wastewater discharges occurred during the reporting period.

B. STORM WATER DISCHARGES

The following is a summary of all storm water discharges from the production area to surface water during the reporting period when not in accordance with the facility 's Nutrient Management Plan.

No stormwater discharges occurred during the reporting period.

C. LAND APPLICATION AREA TO SURFACE WATER DISCHARGES

The following is a summary of all discharges from the land application area to surface water that have occurred during the reporting period when not in accordance with the facility's Nutrient Management Plan.

No land application area to surface water discharges occurred during the reporting period.

NUTRIENT MANAGEMENT PLAN AND EXPORT AGREEMENT STATEMENTS

A. NUTRIENT MANAGEMENT PLAN STATEMENTS

Was the facility's NMP updated in the reporting period?	Yes
Was the facility's NMP developed by a certified nutrient management planner (specialist) as specified in Attachment C of the General Order?	Yes
Was the facility's NMP approved by a certified nutrient management planner (specialist) as specified in Attachment C of the General Order?	Yes

B. EXPORT AGREEMENT STATEMENT

Are there any written agreements with third parties to receive manure or process wastewater that are new or were revised within the reporting period?	No

ADDITIONAL NOTES

A. NOTES

Dairy Field Oats (1.43), Apple Field Oats (1.45) had high nitrogen field ratios due to a slight over application of wastewater. Dairy was forced to apply a higher amount of wastewater than what was planned due to a heavy winter rains and pond capacity issues.
Apple Field Corn (1.51) had a high nitrogen field ratio as field failed to meet anticipated nitrogen removal rate of 224 pounds/acre. The subject field removed only 197 pounds of nitrogen/acre. Yield for the subject field was adequate however a low nitrogen value from the lab plant tissue analysis resulted in only 6.5 pounds of nitrogen removed per harvested ton compared to the anticipated 8 pounds of nitrogen removed per harvested ton which ultimately resulted in the high nitrogen field ratio. Nitrogen application to the subject field was not considered excessive but inline with that recommended in the dairy's nutrient management plan.

CERTIFICATION

A. OWNER AND/OR OPERATOR CERTIFICATION

I certify under penalty of law that I have personally examined and am familiar with the information submitted in this document and all attachments and that, based on my inquiry of those individuals immediately responsible for obtaining the information, I believe that the information is true, accurate, and complete. I am aware that there are significant penalties for submitting false information, including the possibility of fine and imprisonment.

Frank Borba (May 14, 2024 11:12 PDT)

SIGNATURE OF OWNER OF FACILITY	SIGNATURE OF OPERATOR OF FACILITY
Frank A Borba	SAME AS OWNER
PRINT OR TYPE NAME	PRINT OR TYPE NAME
May 14, 2024	
DATE	DATE

ATTACHMENTS

A. REQUIRED ATTACHMENTS

The following lists the required documents that should be attached to the Annual Report when submitted .

Annual Dairy Facility Assessment
Provide an Annual Dairy Facility Assessment (an update to the Preliminary Dairy Facility Assessment in Attachment A) for each reporting period. On the PDFA Final page, click on the ADFA Report button to generate an ADFA report after updating information as needed .

Manure/Process Wastewater Tracking Manifests
Provide copies of all manure/process wastewater tracking manifests for the reporting period, signed by both the owner/operator and the hauler.

Corrective Actions Documents
Provide records documenting any corrective actions taken to correct deficiencies noted as a result of the inspections required in the Monitoring Requirements of the General Order. Deficiencies not corrected in 30 days must be accompanied by an explanation of the factors preventing immediate correction.

Groundwater Monitoring
Dischargers that monitor supply wells or subsurface (tile) drainage systems, or that have monitoring well systems must submit monitoring results as directed in the General Order, Groundwater Reporting Section starting on page MRP-13.

Storm Water Monitoring
Dischargers that are required to monitor storm water more frequently than required in the General Order must submit monitoring results as directed in the General Order, Storm Water Reporting Section on page MRP-14.

ATTACHMENT D

Manure/Process Wastewater Tracking Manifest
For
Existing Milk Cow Dairies

Instructions:

1) Complete one manifest for each hauling event, for each destination. A hauling event may last for several days, as long as the manure is being hauled to the same destination.
2) If there are multiple destinations, **complete a separate form for each destination**.
3) The operator must obtain the signature of the hauler upon completion of each manure-hauling event.
4) The operator shall submit copies of manure/process wastewater tracking manifest(s) with the Annual Monitoring Report for Existing Milk Cow Dairies.

Operator Information:

Name of Operator: Frank Borba

Name of Dairy Facility: MB Lucky Lady

Facility Address: 1218 W. Keyes Road, Modesto, CA 95358
Number and Street City Zip Code

Contact Person Name and Phone Number: Frank Borba 209-531-0202
Name Phone Number

Manure/Process Wastewater Hauler Information:

Name of Hauling Company/Person: MB Lucky Lady (via pipeline)

Address of Hauling Company /Person: 1218 W. Keyes Road, Modesto, CA 95358
Number and Street City Zip Code

Contact Person: Frank Borba 209-531-0202
Name Phone Number

Destination Information:

Composting Facility / Broker / Farmer / Other (identify) _____ (please circle one)

Contact information of Composting Facility, Broker, Farmer, or Other (as identified above):

810 S. Hart Road, Modesto, CA 95358 209-652-8201
Name Number and Street City Zip Code Phone Number

Manure/Process Wastewater Destination Address or Assessor's Parcel Number:

1713 Keyes Road, Modesto, CA 95358 041-025-003
Number and Street City Zip Code Assessor's Parcel Number

Dates Hauled: 4/12/2023

Amount Hauled:

Enter the amount of manure hauled in tons or cubic yards (indicate the units used), the manure solids content (if amount reported in tons) or manure density (if amount reported in cubic yards), and the method used to calculate the amount:

Manure: _____ Tons or Cubic Yards (indicate which units used)
Manure Solids Content (if amount reported in tons): _____
Manure Density (if amount reported in cubic yards): _____

Method used to determine amount of manure: _____

_____

Enter the amount of process wastewater hauled in gallons and the method used to determine the amount.

Process Wastewater: 1,800,000 Gallons

Method used to determine volume of process wastewater: _____

20 hours at 1500 gallons per minute

Written Agreement:
Does the Operator have a written agreement (in compliance with Land Application Specification C.2 of Waste Discharge Requirements General Order No. R5-2007-0035) with any party that receives process wastewater from the Operator for its own use? (please check one)

____ Yes _____ No

If the answer is no, the Operator agrees to have such a written agreement with any such party for any process wastewater transferred after **31 December 2007** to such party.
_____ (Operator shall provide initials here to acknowledge this requirement).

Certification:
I declare under the penalty of law that I personally examined and am familiar with the information submitted in this document, and that based on my inquiry of those individuals immediately responsible for obtaining the information, I believe that the information is true, accurate, and complete. I am aware that there are significant penalties for submitting false information, including the possibility of a fine and imprisonment for knowing violations.

Operator's Signature: Frank borba (May 14, 2024 11:12 PDT) Date: May 14, 2024

Hauler's Signature: Frank borba (May 14, 2024 11:12 PDT) Date: May 14, 2024

ATTACHMENT D

Manure/Process Wastewater Tracking Manifest
For
Existing Milk Cow Dairies

Instructions:

1) Complete one manifest for each hauling event, for each destination. A hauling event may last for several days, as long as the manure is being hauled to the same destination.
2) If there are multiple destinations, **complete a separate form for each destination**.
3) The operator must obtain the signature of the hauler upon completion of each manure-hauling event.
4) The operator shall submit copies of manure/process wastewater tracking manifest(s) with the Annual Monitoring Report for Existing Milk Cow Dairies.

Operator Information:

Name of Operator: Frank Borba

Name of Dairy Facility: MB Lucky Lady

Facility Address: 1218 W. Keyes Road, Modesto, CA 95358
Number and Street City Zip Code

Contact Person Name and Phone Number: Frank Borba 209-531-0202
Name Phone Number

Manure/Process Wastewater Hauler Information:

Name of Hauling Company/Person: MB Lucky Lady (via pipeline)

Address of Hauling Company /Person: 1218 W. Keyes Road, Modesto, CA 95358
Number and Street City Zip Code

Contact Person: Frank Borba 209-531-0202
Name Phone Number

Destination Information:

Composting Facility / Broker / Farmer / Other (identify) _____ (please circle one)

Contact information of Composting Facility, Broker, Farmer, or Other (as identified above):

810 S. Hart Road, Modesto, CA 95358 209-652-8201
Name Number and Street City Zip Code Phone Number

Manure/Process Wastewater Destination Address or Assessor's Parcel Number:

1713 Keyes Road, Modesto, CA 95358 041-025-003
Number and Street City Zip Code Assessor's Parcel Number

Dates Hauled: 5/21/2023

Amount Hauled:

Enter the amount of manure hauled in tons or cubic yards (indicate the units used), the manure solids content (if amount reported in tons) or manure density (if amount reported in cubic yards), and the method used to calculate the amount:

Manure: _____ Tons or Cubic Yards (indicate which units used)
Manure Solids Content (if amount reported in tons): _____
Manure Density (if amount reported in cubic yards): _____

Method used to determine amount of manure: _____

_____

Enter the amount of process wastewater hauled in gallons and the method used to determine the amount.

Process Wastewater: 1,890,000 Gallons

Method used to determine volume of process wastewater: _____

21 hours at 1500 gallons per minute

Written Agreement:
Does the Operator have a written agreement (in compliance with Land Application Specification C.2 of Waste Discharge Requirements General Order No. R5-2007-0035) with any party that receives process wastewater from the Operator for its own use? (please check one)

____ Yes _____ No

If the answer is no, the Operator agrees to have such a written agreement with any such party for any process wastewater transferred after **31 December 2007** to such party.
_____ (Operator shall provide initials here to acknowledge this requirement).

Certification:
I declare under the penalty of law that I personally examined and am familiar with the information submitted in this document, and that based on my inquiry of those individuals immediately responsible for obtaining the information, I believe that the information is true, accurate, and complete. I am aware that there are significant penalties for submitting false information, including the possibility of a fine and imprisonment for knowing violations.

Operator's Signature: Frankborba (May 14, 2024 11:12 PDT) Date: May 14, 2024

Hauler's Signature: Frankborba (May 14, 2024 11:12 PDT) Date: May 14, 2024

ATTACHMENT D

Manure/Process Wastewater Tracking Manifest
For
Existing Milk Cow Dairies

Instructions:

1) Complete one manifest for each hauling event, for each destination. A hauling event may last for several days, as long as the manure is being hauled to the same destination.
2) If there are multiple destinations, **complete a separate form for each destination**.
3) The operator must obtain the signature of the hauler upon completion of each manure-hauling event.
4) The operator shall submit copies of manure/process wastewater tracking manifest(s) with the Annual Monitoring Report for Existing Milk Cow Dairies.

Operator Information:

Name of Operator: Frank Borba

Name of Dairy Facility: MB Lucky Lady

Facility Address: 1218 W. Keyes Road, Modesto, CA 95358
Number and Street City Zip Code

Contact Person Name and Phone Number: Frank Borba 209-531-0202
Name Phone Number

Manure/Process Wastewater Hauler Information:

Name of Hauling Company/Person: MB Lucky Lady (via pipeline)

Address of Hauling Company /Person: 1218 W. Keyes Road, Modesto, CA 95358
Number and Street City Zip Code

Contact Person: Frank Borba 209-531-0202
Name Phone Number

Destination Information:

Composting Facility / Broker / Farmer / Other (identify) _____ (please circle one)

Contact information of Composting Facility, Broker, Farmer, or Other (as identified above):

810 S. Hart Road, Modesto, CA 95358 209-652-8201
Name Number and Street City Zip Code Phone Number

Manure/Process Wastewater Destination Address or Assessor's Parcel Number:

1713 Keyes Road, Modesto, CA 95358 041-025-003
Number and Street City Zip Code Assessor's Parcel Number

Dates Hauled: 7/20/2023

Amount Hauled:

Enter the amount of manure hauled in tons or cubic yards (indicate the units used), the manure solids content (if amount reported in tons) or manure density (if amount reported in cubic yards), and the method used to calculate the amount:

Manure: _____ Tons or Cubic Yards (indicate which units used)
Manure Solids Content (if amount reported in tons): _____
Manure Density (if amount reported in cubic yards): _____

Method used to determine amount of manure: _____

_____

Enter the amount of process wastewater hauled in gallons and the method used to determine the amount.

Process Wastewater: 1,800,000 Gallons

Method used to determine volume of process wastewater: _____

20 hours at 1500 gallons per minute

Written Agreement:
Does the Operator have a written agreement (in compliance with Land Application Specification C.2 of Waste Discharge Requirements General Order No. R5-2007-0035) with any party that receives process wastewater from the Operator for its own use? (please check one)

____ Yes _____ No

If the answer is no, the Operator agrees to have such a written agreement with any such party for any process wastewater transferred after **31 December 2007** to such party.
_____ (Operator shall provide initials here to acknowledge this requirement).

Certification:
I declare under the penalty of law that I personally examined and am familiar with the information submitted in this document, and that based on my inquiry of those individuals immediately responsible for obtaining the information, I believe that the information is true, accurate, and complete. I am aware that there are significant penalties for submitting false information, including the possibility of a fine and imprisonment for knowing violations.

Operator's Signature: Frank borba (May 14, 2024 11:12 PDT) Date: May 14, 2024

Hauler's Signature: Frank borba (May 14, 2024 11:12 PDT) Date: May 14, 2024

ATTACHMENT D

Manure/Process Wastewater Tracking Manifest
For
Existing Milk Cow Dairies

Instructions:

1) Complete one manifest for each hauling event, for each destination. A hauling event may last for several days, as long as the manure is being hauled to the same destination.
2) If there are multiple destinations, **complete a separate form for each destination**.
3) The operator must obtain the signature of the hauler upon completion of each manure-hauling event.
4) The operator shall submit copies of manure/process wastewater tracking manifest(s) with the Annual Monitoring Report for Existing Milk Cow Dairies.

Operator Information:

Name of Operator: Frank Borba

Name of Dairy Facility: MB Lucky Lady

Facility Address: 1218 W. Keyes Road, Modesto, CA 95358
Number and Street City Zip Code

Contact Person Name and Phone Number: Frank Borba 209-531-0202
Name Phone Number

Manure/Process Wastewater Hauler Information:

Name of Hauling Company/Person: MB Lucky Lady (via pipeline)

Address of Hauling Company /Person: 1218 W. Keyes Road, Modesto, CA 95358
Number and Street City Zip Code

Contact Person: Frank Borba 209-531-0202
Name Phone Number

Destination Information:

Composting Facility / Broker / Farmer / Other (identify) _____ (please circle one)

Contact information of Composting Facility, Broker, Farmer, or Other (as identified above):

810 S. Hart Road, Modesto, CA 95358 209-652-8201
Name Number and Street City Zip Code Phone Number

Manure/Process Wastewater Destination Address or Assessor's Parcel Number:

1713 Keyes Road, Modesto, CA 95358 041-025-003
Number and Street City Zip Code Assessor's Parcel Number

Dates Hauled: 8/15/2023

Amount Hauled:

Enter the amount of manure hauled in tons or cubic yards (indicate the units used), the manure solids content (if amount reported in tons) or manure density (if amount reported in cubic yards), and the method used to calculate the amount:

Manure: _____ Tons or Cubic Yards (indicate which units used)
Manure Solids Content (if amount reported in tons): _____
Manure Density (if amount reported in cubic yards): _____

Method used to determine amount of manure: _____

_____

Enter the amount of process wastewater hauled in gallons and the method used to determine the amount.

Process Wastewater: 1,710,000 Gallons

Method used to determine volume of process wastewater: _____

19 hours at 1500 gallons per minute

Written Agreement:
Does the Operator have a written agreement (in compliance with Land Application Specification C.2 of Waste Discharge Requirements General Order No. R5-2007-0035) with any party that receives process wastewater from the Operator for its own use? (please check one)

____ Yes _____ No

If the answer is no, the Operator agrees to have such a written agreement with any such party for any process wastewater transferred after **31 December 2007** to such party.
_____ (Operator shall provide initials here to acknowledge this requirement).

Certification:
I declare under the penalty of law that I personally examined and am familiar with the information submitted in this document, and that based on my inquiry of those individuals immediately responsible for obtaining the information, I believe that the information is true, accurate, and complete. I am aware that there are significant penalties for submitting false information, including the possibility of a fine and imprisonment for knowing violations.

Operator's Signature: Frank borba (May 14, 2024 11:12 PDT) Date: May 14, 2024

Hauler's Signature: Frank borba (May 14, 2024 11:12 PDT) Date: May 14, 2024

ATTACHMENT D

Manure/Process Wastewater Tracking Manifest
For
Existing Milk Cow Dairies

Instructions:

1) Complete one manifest for each hauling event, for each destination. A hauling event may last for several days, as long as the manure is being hauled to the same destination.
2) If there are multiple destinations, **complete a separate form for each destination**.
3) The operator must obtain the signature of the hauler upon completion of each manure-hauling event.
4) The operator shall submit copies of manure/process wastewater tracking manifest(s) with the Annual Monitoring Report for Existing Milk Cow Dairies.

Operator Information:

Name of Operator: Frank Borba

Name of Dairy Facility: MB Lucky Lady

Facility Address: 1218 W. Keyes Road, Modesto, CA 95358
Number and Street City Zip Code

Contact Person Name and Phone Number: Frank Borba 209-531-0202
Name Phone Number

Manure/Process Wastewater Hauler Information:

Name of Hauling Company/Person: MB Lucky Lady (via pipeline)

Address of Hauling Company /Person: 1218 W. Keyes Road, Modesto, CA 95358
Number and Street City Zip Code

Contact Person: Frank Borba 209-531-0202
Name Phone Number

Destination Information:

Composting Facility / Broker / Farmer / Other (identify) _____ (please circle one)

Contact information of Composting Facility, Broker, Farmer, or Other (as identified above):

810 S. Hart Road, Modesto, CA 95358 209-652-8201
Name Number and Street City Zip Code Phone Number

Manure/Process Wastewater Destination Address or Assessor's Parcel Number:

1713 Keyes Road, Modesto, CA 95358 041-025-003
Number and Street City Zip Code Assessor's Parcel Number

Dates Hauled: 10/11/2023

Amount Hauled:

Enter the amount of manure hauled in tons or cubic yards (indicate the units used), the manure solids content (if amount reported in tons) or manure density (if amount reported in cubic yards), and the method used to calculate the amount:

Manure: _____ Tons or Cubic Yards (indicate which units used)
Manure Solids Content (if amount reported in tons): _____
Manure Density (if amount reported in cubic yards): _____

Method used to determine amount of manure: _____

_____

Enter the amount of process wastewater hauled in gallons and the method used to determine the amount.

Process Wastewater: 1,890,000 Gallons

Method used to determine volume of process wastewater: _____

21 hours at 1500 gallons per minute

Written Agreement:
Does the Operator have a written agreement (in compliance with Land Application Specification C.2 of Waste Discharge Requirements General Order No. R5-2007-0035) with any party that receives process wastewater from the Operator for its own use? (please check one)

____ Yes _____ No

If the answer is no, the Operator agrees to have such a written agreement with any such party for any process wastewater transferred after **31 December 2007** to such party.
_____ (Operator shall provide initials here to acknowledge this requirement).

Certification:
I declare under the penalty of law that I personally examined and am familiar with the information submitted in this document, and that based on my inquiry of those individuals immediately responsible for obtaining the information, I believe that the information is true, accurate, and complete. I am aware that there are significant penalties for submitting false information, including the possibility of a fine and imprisonment for knowing violations.

Operator's Signature: Frank borba (May 14, 2024 11:12 PDT) Date: May 14, 2024

Hauler's Signature: Frank borba (May 14, 2024 11:12 PDT) Date: May 14, 2024

DENELE ANALYTICAL, INC.

865 S. KILROY
TURLOCK, CA 95380

PH# 209-634-9055 FAX# 209-634-9057

DAIRY COMPLIANCE

Client: MB Lucky Lady
Mailing address:
(not facility address)
Phone#:

Authorized Copy Released To: F & R Ag Services

Sampled By: K.Jones
Project ID:

ANALYSIS TO BE COMPLETED:

IRRIGATION/GROUND WATER
H1 EC*, NO3-N, NH4-N*
H6 EC, TN, TDS
H7 Combination of H1 & H6
H14 EC, NO3-N, NH4-N, Ca, Mg, Na, Bicarb Carb, SO4, Cl, TDS

PROCESS WASTE WATER
H3 EC*, NH4-N, TKN, TP, K, TDS
H4 EC*, NO3-N, NH4-N, TKN, TP, K, TDS
H5 Ca, Mg, Na, Bicarb, Carb, SO4, Cl
H8 Combination of H3 &H5
H9 Combination of H4 &H5

TILE DRAIN
H2 EC*, NO3-N, TP, NH4-N*, TDS

** Required Field Measurement*

___ (Check here if performed)

DISCHARGE WATER
E1 EC*, Temp*, pH*, NO3-N, NH4-N, TKN, TP, K, TDS, Dissolved Oxygen*, BOD 5, TSS, Total & Fecal Coliforms
E2 EC,* Temp*, pH*, NO3-N, NH4-N*, Turbidity, TP, Dissolved Oxygen*, Total & Fecal Coliforms
E3 EC*, Temp*, pH*, NO3-N, NH4-N*, TP, Total & Fecal Coliforms
E4 EC*, Temp*, pH*, NO3-N, NH4-N*, Turbidity, TP, Total & Fecal Coliform

MANURE
M1 % Moisture
M3 TN TP, K, % Moisture
M4 Ca, Mg, Na, Bicarb, Carb, SO4, Cl, Ash
M7 Combination of M3 & M4

PLANT TISSUE
F18 % Moisture, Ash, TN, P, K, DM and as received
F18+ % Moisture, Ash, TN, P, K, DM and as received (Package also includes NIR DCAD)
F19+ % Moisture, TN (Package includes complete plant tissue analysis)

SOIL
K3 Soluble Phosphorus
K4 1ft NO3, Organic Matter
K5 Pre-Plant (2ft NO3), Fall (1-2ft NO3), Fall (2-3ft NO3)
K6 0-1ft EC, NO3, Soluble P, K, Organic Matter
K7 Combination of K3 & K4
K8 Combination of K3 & K5

	Date Collected	Time Collected	Sample ID	Description	Temp	Well Purge	Analysis: H1	H3	M3	F18	OTHER
1	12/12	8:30	Domestic Wells	Dairy New	15.2'c		X				
2	12/12	8:35	Domestic Wells	Dairy Old	15.2'c		X				
3	12/12	8:40	Domestic Wells	Main House	15.2'c		X				
4	12/12	8:47	Domestic Wells	House #2	15.0'c		X				
5	12/12	8:20	Domestic Wells	Jorge	15.0'c		X				
6	12/12	9:07	Irrigation Well	IW-Apple	15.2'						H7
7	12/12	9:16	Irrigation Well	IW-Jorge	15.0'c						H7
8	12/12	8:37	WASTEWATER	WWSD4	15.0'c			X			
9											
10											

CHAIN OF CUSTODY RECORDING

	Signature	Company	Received Date & Time	Relinquished Date & Time	(LABORATORY USE ONLY) Logged In By:	LABORATORY NUMBER
1st	KK	F & R Ag Services				
2nd		DENELE ANALYTICAL, INC.	12-12-23 12:00			T3346022

Required to be submitted to any agency? (YES / NO)

Denele Analytical, Inc.

865 South Kilroy Avenue Turlock, CA 95380
Phone (209) 634-9055 - Fax (209) 634-9057

www.denelelabs.com

40 N. East Street, Woodland, CA 95776
Phone (530) 666-9056 - Fax (530) 666-9058

Compliance Analysis Report

Customer
MB Lucky Lady
2323 W. Keyes Rd.
Modesto, CA 95358

Grower

Consultant:
F & R Ag Services
2857 Geer Rd. Ste A
Turlock, CA 95382

PURCHASE ORDER:
RECEIVED DATE: 12/12/23 12:00 PM
SUBMITTED BY: KK
ANALYZED DATE: 12/13/23

Irrigation/ Ground Water (H1)
SOURCE: Well Water

NOTES: Temperature was above qualifying at 15.2c

Sample ID	Lab ID	Analyte	Method Ref	Result	Units
Dairy New	T3346022A	Electrical Conductivity (EC)	EPA 120.1 and	1.28	mmhos/cm
		Nitrate Nitrogen (NO3-N)	EPA 353.2	41.8	mg/L
		Ammonia Nitrogen (NH3-N)	SM 4500-NH3 D,C	< 0.500	mg/L
		Soluble Salts (SALT-SOL)	Calculation	819	mg/L

Laboratory Quality Control	LCS %	MS %	MSD %	RPD %
Ammonia Nitrogen (NH3-N)	92.2	101 (T3346002A)	99.4 (T3346002A)	1.20
Electrical Conductivity (EC)	99.4			0.193
Nitrate Nitrogen (NO3-N)	101	101 (T3346002D)	102 (T3346002D)	1.51

The warranty of Denele Analytical is limited to the accuracy of the analyses of the samples as received. Denele Analytical assumes no responsibility for which the customer uses our test results, nor liability for any other warranties, express or implied. These terms and conditions shall supercede any conflicting terms and conditions submitted on customer purchase orders or other forms submitted for work.

ELAP Certificate No.: 2714

Denele Analytical, Inc.

865 South Kilroy Avenue Turlock, CA 95380
Phone (209) 634-9055 - Fax (209) 634-9057

www.denelelabs.com

40 N. East Street, Woodland, CA 95776
Phone (530) 666-9056 - Fax (530) 666-9058

Compliance Analysis Report

Customer
MB Lucky Lady
2323 W. Keyes Rd.
Modesto, CA 95358

Grower

Consultant:
F & R Ag Services
2857 Geer Rd. Ste A
Turlock, CA 95382

PURCHASE ORDER:
RECEIVED DATE: 12/12/23 12:00 PM
SUBMITTED BY: KK
ANALYZED DATE: 12/13/23

Irrigation/ Ground Water (H1)
SOURCE: Well Water

NOTES: Temperature was above qualifying at 15.2c

Sample ID	Lab ID	Analyte	Method Ref	Result	Units
Dairy Old	T3346022B	Electrical Conductivity (EC)	EPA 120.1 and	0.905	mmhos/cm
		Nitrate Nitrogen (NO3-N)	EPA 353.2	3.97	mg/L
		Ammonia Nitrogen (NH3-N)	SM 4500-NH3 D,C	< 0.500	mg/L
		Soluble Salts (SALT-SOL)	Calculation	579	mg/L

Laboratory Quality Control	LCS %	MS %	MSD %	RPD %
Ammonia Nitrogen (NH3-N)	92.2	101 (T3346002A)	99.4 (T3346002A)	1.20
Electrical Conductivity (EC)	99.4			0.193
Nitrate Nitrogen (NO3-N)	101	101 (T3346002D)	102 (T3346002D)	1.51

The warranty of Denele Analytical is limited to the accuracy of the analyses of the samples as received. Denele Analytical assumes no responsibility for which the customer uses our test results, nor liability for any other warranties, express or implied. These terms and conditions shall supercede any conflicting terms and conditions submitted on customer purchase orders or other forms submitted for work.

ELAP Certificate No.: 2714

Denele Analytical, Inc.

865 South Kilroy Avenue Turlock, CA 95380
Phone (209) 634-9055 - Fax (209) 634-9057

www.denelelabs.com

40 N. East Street, Woodland, CA 95776
Phone (530) 666-9056 - Fax (530) 666-9058

Compliance Analysis Report

Customer
MB Lucky Lady
2323 W. Keyes Rd.
Modesto, CA 95358

Grower

Consultant:
F & R Ag Services
2857 Geer Rd. Ste A
Turlock, CA 95382

PURCHASE ORDER:
RECEIVED DATE: 12/12/23 12:00 PM
SUBMITTED BY: KK
ANALYZED DATE: 12/13/23

Irrigation/ Ground Water (H1)
SOURCE: Well Water

NOTES: Temperature was above qualifying at 15.2c

Sample ID	Lab ID	Analyte	Method Ref	Result	Units
Main House	T3346022C	Electrical Conductivity (EC)	EPA 120.1 and	1.39	mmhos/cm
		Nitrate Nitrogen (NO3-N)	EPA 353.2	43.0	mg/L
		Ammonia Nitrogen (NH3-N)	SM 4500-NH3 D,C	< 0.500	mg/L
		Soluble Salts (SALT-SOL)	Calculation	891	mg/L

Laboratory Quality Control	LCS %	MS %	MSD %	RPD %
Ammonia Nitrogen (NH3-N)	92.2	101 (T3346002A)	99.4 (T3346002A)	1.20
Electrical Conductivity (EC)	99.4			0.193
Nitrate Nitrogen (NO3-N)	101	101 (T3346002D)	102 (T3346002D)	1.51

The warranty of Denele Analytical is limited to the accuracy of the analyses of the samples as received. Denele Analytical assumes no responsibility for which the customer uses our test results, nor liability for any other warranties, express or implied. These terms and conditions shall supercede any conflicting terms and conditions submitted on customer purchase orders or other forms submitted for work.

Denele Analytical, Inc.

865 South Kilroy Avenue Turlock, CA 95380
Phone (209) 634-9055 - Fax (209) 634-9057

www.denelelabs.com

40 N. East Street, Woodland, CA 95776
Phone (530) 666-9056 - Fax (530) 666-9058

Compliance Analysis Report

Customer
MB Lucky Lady
2323 W. Keyes Rd.
Modesto, CA 95358

Grower

Consultant:
F & R Ag Services
2857 Geer Rd. Ste A
Turlock, CA 95382

PURCHASE ORDER:
RECEIVED DATE: 12/12/23 12:00 PM
SUBMITTED BY: KK
ANALYZED DATE: 12/13/23

Irrigation/ Ground Water (H1)
SOURCE: Well Water

NOTES: Temperature was above qualifying at 15.0c

Sample ID	Lab ID	Analyte	Method Ref	Result	Units
House #2	T3346022D	Electrical Conductivity (EC)	EPA 120.1 and	1.28	mmhos/cm
		Nitrate Nitrogen (NO3-N)	EPA 353.2	40.8	mg/L
		Ammonia Nitrogen (NH3-N)	SM 4500-NH3 D,C	< 0.500	mg/L
		Soluble Salts (SALT-SOL)	Calculation	816	mg/L

Laboratory Quality Control	LCS %	MS %	MSD %	RPD %
Ammonia Nitrogen (NH3-N)	92.2	101 (T3346002A)	99.4 (T3346002A)	1.20
Electrical Conductivity (EC)	99.4			0.193
Nitrate Nitrogen (NO3-N)	101	101 (T3346002D)	102 (T3346002D)	1.51

The warranty of Denele Analytical is limited to the accuracy of the analyses of the samples as received. Denele Analytical assumes no responsibility for which the customer uses our test results, nor liability for any other warranties, express or implied. These terms and conditions shall supercede any conflicting terms and conditions submitted on customer purchase orders or other forms submitted for work.

Denele Analytical, Inc.

865 South Kilroy Avenue Turlock, CA 95380
Phone (209) 634-9055 - Fax (209) 634-9057

www.denelelabs.com

40 N. East Street, Woodland, CA 95776
Phone (530) 666-9056 - Fax (530) 666-9058

Compliance Analysis Report

Customer
MB Lucky Lady
2323 W. Keyes Rd.
Modesto, CA 95358

Grower

Consultant:
F & R Ag Services
2857 Geer Rd. Ste A
Turlock, CA 95382

PURCHASE ORDER:
RECEIVED DATE: 12/12/23 12:00 PM
SUBMITTED BY: KK
ANALYZED DATE: 12/13/23

Irrigation/ Ground Water (H1)
SOURCE: Well Water

NOTES: Temperature was above qualifying at 15.0c

Sample ID	Lab ID	Analyte	Method Ref	Result	Units
Jorge	T3346022E	Electrical Conductivity (EC)	EPA 120.1 and	1.28	mmhos/cm
		Nitrate Nitrogen (NO3-N)	EPA 353.2	40.4	mg/L
		Ammonia Nitrogen (NH3-N)	SM 4500-NH3 D,C	< 0.500	mg/L
		Soluble Salts (SALT-SOL)	Calculation	817	mg/L

Laboratory Quality Control	LCS %	MS %	MSD %	RPD %
Ammonia Nitrogen (NH3-N)	92.2	101 (T3346002A)	99.4 (T3346002A)	1.20
Electrical Conductivity (EC)	99.4			0.193
Nitrate Nitrogen (NO3-N)	101	101 (T3346002D)	102 (T3346002D)	1.51

The warranty of Denele Analytical is limited to the accuracy of the analyses of the samples as received. Denele Analytical assumes no responsibility for which the customer uses our test results, nor liability for any other warranties, express or implied. These terms and conditions shall supercede any conflicting terms and conditions submitted on customer purchase orders or other forms submitted for work.

Denele Analytical, Inc.

865 South Kilroy Avenue Turlock, CA 95380
Phone (209) 634-9055 - Fax (209) 634-9057

40 N. East Street, Woodland, CA 95776
Phone (530) 666-9056 - Fax (530) 666-9058

www.denelelabs.com

Compliance Analysis Report

Customer
MB Lucky Lady
2323 W. Keyes Rd.
Modesto, CA 95358

Grower

Consultant:
F & R Ag Services
2857 Geer Rd. Ste A
Turlock, CA 95382

PURCHASE ORDER:
RECEIVED DATE: 12/12/23 12:00 PM
SUBMITTED BY: KK
ANALYZED DATE: 12/13/23

Irrigation / Ground Water (H7)
SOURCE: Irrigation Water

NOTES: Temperature was above qualifying at 15.2c

Sample ID	Lab ID	Analyte	Method Ref	Result	Units
IW-Apple	T3346022F	Electrical Conductivity (EC)	EPA 120.1 and	1.41	mmhos/cm
		Ammonia Nitrogen (NH3-N)	SM 4500-NH3 D,C	< 0.500	mg/L
		Nitrate Nitrogen (NO3-N)	EPA 353.2	44.1	mg/L
		Total Dissolved Solids (TDS)	SM 2540 C-1997 and	760	mg/L
		Total Nitrogen (TN)	SM 4500-NH3 D,C	46.9	mg/L
		Soluble Salts (SALT-SOL)	Calculation	904	mg/L

Laboratory Quality Control	LCS %	MS %	MSD %	Sample mg/L	Dup mg/L	RPD %
Ammonia Nitrogen (NH3-N)	92.2	101 (T3346002A)	99.4 (T3346002A)			1.20
Electrical Conductivity (EC)	99.4			5.19 (T3346017A)	5.20 (Dup)	0.193
Nitrate Nitrogen (NO3-N)	101	101 (T3346002D)	102 (T3346002D)			1.51
Total Dissolved Solids (TDS)	101			880 (W3346003B)	860 (Dup)	2.30
Total Nitrogen (TN)	99.1			0.000 (T3345031B)	0.000 (null)	

The warranty of Denele Analytical is limited to the accuracy of the analyses of the samples as received. Denele Analytical assumes no responsibility for which the customer uses our test results, nor liability for any other warranties, express or implied. These terms and conditions shall supercede any conflicting terms and conditions submitted on customer purchase orders or other forms submitted for work.

Denele Analytical, Inc.

865 South Kilroy Avenue Turlock, CA 95380
Phone (209) 634-9055 - Fax (209) 634-9057

40 N. East Street, Woodland, CA 95776
Phone (530) 666-9056 - Fax (530) 666-9058

www.denelelabs.com

Compliance Analysis Report

Customer
MB Lucky Lady
2323 W. Keyes Rd.
Modesto, CA 95358

Grower

Consultant:
F & R Ag Services
2857 Geer Rd. Ste A
Turlock, CA 95382

PURCHASE ORDER:
RECEIVED DATE: 12/12/23 12:00 PM
SUBMITTED BY: KK
ANALYZED DATE: 12/13/23

Irrigation / Ground Water (H7)
SOURCE: Irrigation Water

NOTES: Temperature was above qualifying at 15.0c

Sample ID	Lab ID	Analyte	Method Ref	Result	Units
IW-Jorge	T3346022G	Electrical Conductivity (EC)	EPA 120.1 and	0.917	mmhos/cm
		Ammonia Nitrogen (NH3-N)	SM 4500-NH3 D,C	< 0.500	mg/L
		Nitrate Nitrogen (NO3-N)	EPA 353.2	4.71	mg/L
		Total Dissolved Solids (TDS)	SM 2540 C-1997 and	455	mg/L
		Total Nitrogen (TN)	SM 4500-NH3 D,C	7.51	mg/L
		Soluble Salts (SALT-SOL)	Calculation	587	mg/L

Laboratory Quality Control	LCS %	MS %	MSD %	Sample mg/L	Dup mg/L	RPD %
Ammonia Nitrogen (NH3-N)	93.0	98.2 (T3346022G)	100 (T3346022G)			1.81
Electrical Conductivity (EC)	99.4			5.19 (T3346017A)	5.20 (Dup)	0.193
Nitrate Nitrogen (NO3-N)	101	101 (T3346002D)	102 (T3346002D)			1.51
Total Dissolved Solids (TDS)	101			880 (W3346003B)	860 (Dup)	2.30
Total Nitrogen (TN)	99.1			0.000 (T3345031B)	0.000 (null)	

The warranty of Denele Analytical is limited to the accuracy of the analyses of the samples as received. Denele Analytical assumes no responsibility for which the customer uses our test results, nor liability for any other warranties, express or implied. These terms and conditions shall supercede any conflicting terms and conditions submitted on customer purchase orders or other forms submitted for work.

2023 Annual Report MB Lucky Lady

Final Audit Report 2024-05-14

Created:	2024-05-14
By:	Vince Furtado (vfurtado@fragservices.com)
Status:	Signed
Transaction ID:	CBJCHBCAABAART0BShQt3O-cOTWgUho9jyVWwLMQ3XvL

"2023 Annual Report MB Lucky Lady" History

Document created by Vince Furtado (vfurtado@fragservices.com)
2024-05-14 - 4:57:13 PM GMT

Document emailed to mbluckylady@gmail.com for signature
2024-05-14 - 5:00:52 PM GMT

Email viewed by mbluckylady@gmail.com
2024-05-14 - 6:04:33 PM GMT

Signer mbluckylady@gmail.com entered name at signing as Frank borba
2024-05-14 - 6:12:36 PM GMT

Document e-signed by Frank borba (mbluckylady@gmail.com)
Signature Date: 2024-05-14 - 6:12:38 PM GMT - Time Source: server

Agreement completed.
2024-05-14 - 6:12:38 PM GMT