Annual Report - General Order No. R5-2007-0035
Reporting period 01/01/2023 to 12/31/2023.

DAIRY FACILITY INFORMATION

A. NAME OF DAIRY OR BUSINESS OPERATING THE DAIRY: Joao & Maria Salvador Dairy

Physical address of dairy:

Number and Street	City	County	Zip Code
1331 W Monte Vista AVE	Ceres	Stanislaus	95307

Street and nearest cross street (if no address):

Date facility was originally placed in operation: 01/01/1980

Regional Water Quality Control Board Basin Plan designation: San Joaquin River Basin

County Assessor Parcel Number(s) for dairy facility:

X022-X006-X008-XXXX

B. OPERATORS

Salvador, Joao & Maria

Operator name: Salvador, Joao & Maria

Telephone no.: (123) 000-0000 (Landline) (Cellular)

Mailing Address Number and Street	City	State	Zip Code
1331 W Monte Vista AVE	Ceres	CA	95307

This operator is responsible for paying permit fees.

C. OWNERS

Salvador, Joao & Maria

Legal owner name: Salvador, Joao & Maria

Telephone no.: (123) 000-0000 (Landline) (Cellular)

Mailing Address Number and Street	City	State	Zip Code
1331 W Monte Vista AVE	Ceres	CA	95307

This owner is responsible for paying permit fees.

Annual Report - General Order No. R5-2007-0035
Reporting period 01/01/2023 to 12/31/2023.

AVAILABLE NUTRIENTS

A. HERD INFORMATION

	Milk Cows	Dry Cows	Bred Heifers (15-24 mo.)	Heifers (7-14 mo. to breeding)	Calves (4-6 mo.)	Calves (0-3 mo.)
Number open confinement	0	0	0	0	0	0
Number under roof	476	70	155	138	80	90
Maximum number	476	70	155	138	80	90
Average number	476	70	155	138	80	90
Avg live weight (lbs)	1,400	1,450	100	700		

Predominant milk cow breed: Holstein

Average milk production: 70 *pounds per cow per day*

B. MANURE GENERATED

Total manure excreted by the herd: 16,290.96 *tons per reporting period*

Total nitrogen from manure: 208,908.63 *lbs per reporting period*

After ammonia losses (30% loss applied): 146,236.04 *lbs per reporting period*

Total phosphorus from manure: 34,032.42 *lbs per reporting period*

Total potassium from manure: 91,158.39 *lbs per reporting period*

Total salt from manure: 240,221.10 *lbs per reporting period*

C. PROCESS WASTEWATER GENERATED

Process wastewater generated: 979,200 *gallons*

Total nitrogen generated: 4,956.99 *lbs*

Total phosphorus generated: 506.37 *lbs*

Total potassium generated: 12,274.16 *lbs*

Total salt generated: 42,128.90 *lbs*

	979,200	*gallons applied*
+	0	*gallons exported*
-	0	*gallons imported*
=	979,200	*gallons generated*

D. FRESH WATER SOURCES

Source Description	Type
Canal Water	Surface water
Domestic Well Barn	Ground water
Domestic Well house	Ground water

E. SUBSURFACE (TILE) DRAINAGE SOURCES

No subsurface (tile) drainage sources entered.

F. NUTRIENT IMPORTS

No dry manure nutrient imports entered.

No process wastewater nutrient imports entered.

No commercial or other nutrient imports entered.

G. NUTRIENT EXPORTS

Date	Material type	Quantity	Reporting basis	Moisture (%)	Density (lbs/cu ft)	N (mg/kg)	P (mg/kg)	K (mg/kg)	Salt (mg/kg)	TFS (%)
06/09/2023	Corral solids	2,520.00 *ton*	Dry-weight	0.1		0.00	0.00	0.00		0.00

No liquid nutrient exports entered.

Material type	Total N (lbs)	Total P (lbs)	Total K (lbs)	Total salt (lbs)
Dry manure	0.00	0.00	0.00	0.00
Process wastewater	0.00	0.00	0.00	0.00
Total exports for all materials	0.00	0.00	0.00	0.00

APPLICATION AREA

A. LIST OF LAND APPLICATION AREAS

Field name	Controlled acres	Cropable acres	Total harvests	Type of waste applied	Parcel number
S-1	9	9	2	process wastewater	X022-X008-X015-XXXX
S-2	26	26	2	process wastewater	X022-X006-X008-XXXX
Totals for areas that were used for application	35	35	4		
Totals for areas that were not used for application					
Land application area totals	35	35	4		

B. CROPS AND HARVESTS

S-1

Field name: S-1

10/22/2022: Oats, silage-soft dough

Crop: Oats, silage-soft dough Acres planted: 9 Plant date: 10/22/2022

Harvest date	Yield	Reporting basis	Density (lbs/cu ft)	Moisture (%)	N (mg/kg)	P (mg/kg)	K (mg/kg)	Salt (mg/kg)	TFS (%)
05/09/2023	180.00 *ton*	Dry-weight		79.4	30,200.00	2,810.00	17,000.00		20.20

	Yield (tons/acre)	Total N (lbs/acre)	Total P (lbs/acre)	Total K (lbs/acre)	Salt (lbs/acre)
Anticipated harvest content	16.00	160.00	25.60	132.80	0.00
Total actual harvest content	20.00	248.85	23.15	140.08	1,664.48

05/29/2023: Corn, silage

Crop: Corn, silage Acres planted: 9 Plant date: 05/29/2023

Harvest date	Yield	Reporting basis	Density (lbs/cu ft)	Moisture (%)	N (mg/kg)	P (mg/kg)	K (mg/kg)	Salt (mg/kg)	TFS (%)
09/09/2023	198.00 *ton*	Dry-weight		66.5	16,200.00	1,590.00	12,600.00		8.09

	Yield (tons/acre)	Total N (lbs/acre)	Total P (lbs/acre)	Total K (lbs/acre)	Salt (lbs/acre)
Anticipated harvest content	30.00	240.00	45.00	198.00	0.00
Total actual harvest content	22.00	238.79	23.44	185.72	1,192.47

S-2

S-2

Field name: S-2

10/30/2022: Oats, silage-soft dough

Crop: Oats, silage-soft dough Acres planted: 26 Plant date: 10/30/2022

Harvest date	Yield	Reporting basis	Density (lbs/cu ft)	Moisture (%)	N (mg/kg)	P (mg/kg)	K (mg/kg)	Salt (mg/kg)	TFS (%)
05/09/2023	520.00 *ton*	Dry-weight		76.1	41,700.00	4,400.00	35,200.00		22.00

	Yield (tons/acre)	Total N (lbs/acre)	Total P (lbs/acre)	Total K (lbs/acre)	Salt (lbs/acre)
Anticipated harvest content	16.00	160.00	25.60	132.80	0.00
Total actual harvest content	20.00	398.65	42.06	336.51	2,103.20

05/29/2023: Corn, silage

Crop: Corn, silage Acres planted: 26 Plant date: 05/29/2023

Harvest date	Yield	Reporting basis	Density (lbs/cu ft)	Moisture (%)	N (mg/kg)	P (mg/kg)	K (mg/kg)	Salt (mg/kg)	TFS (%)
09/09/2023	572.00 *ton*	Dry-weight		63.3	9,910.00	1,480.00	10,100.00		7.04

	Yield (tons/acre)	Total N (lbs/acre)	Total P (lbs/acre)	Total K (lbs/acre)	Salt (lbs/acre)
Anticipated harvest content	30.00	240.00	45.00	198.00	0.00
Total actual harvest content	22.00	160.03	23.90	163.09	1,136.82

NUTRIENT BUDGET

A. LAND APPLICATIONS

S-1 - 10/22/2022: Oats, silage-soft dough

Field name: S-1

Crop: Oats, silage-soft dough — Plant date: 10/22/2022

Application date	Application method	Precipitation 24 hours prior	Precipitation during application	Precipitation 24 hours following
10/04/2022	Surface (irrigation)	No precipitation	No precipitation	No precipitation

Source description	Material type	N (lbs/acre)	P (lbs/acre)	K (lbs/acre)	Salt (lbs/acre)	Amount
Lagoon Water	Process wastewater	57.41	4.35	120.84	447.29	72,000.00 *gal*
Application event totals		57.41	4.35	120.84	447.29	

Application date	Application method	Precipitation 24 hours prior	Precipitation during application	Precipitation 24 hours following
10/04/2022	Surface (irrigation)	No precipitation	No precipitation	No precipitation

Source description	Material type	N (lbs/acre)	P (lbs/acre)	K (lbs/acre)	Salt (lbs/acre)	Amount
Canal Water	Surface water	24.48	0.00	0.00	386.54	1,389,581.29 *gal*
Application event totals		24.48	0.00	0.00	386.54	

Application date	Application method	Precipitation 24 hours prior	Precipitation during application	Precipitation 24 hours following
04/22/2023	Surface (irrigation)	No precipitation	No precipitation	No precipitation

Source description	Material type	N (lbs/acre)	P (lbs/acre)	K (lbs/acre)	Salt (lbs/acre)	Amount
Lagoon Water	Process wastewater	45.30	2.77	84.45	245.68	55,200.00 *gal*
Application event totals		45.30	2.77	84.45	245.68	

Application date	Application method	Precipitation 24 hours prior	Precipitation during application	Precipitation 24 hours following
04/22/2023	Surface (irrigation)	No precipitation	No precipitation	No precipitation

Source description	Material type	N (lbs/acre)	P (lbs/acre)	K (lbs/acre)	Salt (lbs/acre)	Amount
Canal Water	Surface water	18.79	0.00	0.00	296.64	1,066,422.85 *gal*
Application event totals		18.79	0.00	0.00	296.64	

S-1 - 05/29/2023: Corn, silage

Field name: S-1

Crop: Corn, silage — Plant date: 05/29/2023

Application date	Application method	Precipitation 24 hours prior	Precipitation during application	Precipitation 24 hours following

S-1 - 05/29/2023: Corn, silage

Application date	Application method	Precipitation 24 hours prior	Precipitation during application	Precipitation 24 hours following
05/21/2023	Surface (irrigation)	No precipitation	No precipitation	No precipitation

Source description	Material type	N (lbs/acre)	P (lbs/acre)	K (lbs/acre)	Salt (lbs/acre)	Amount
Lagoon Water	Process wastewater	39.39	2.41	73.44	213.63	48,000.00 *gal*
Canal Water	Surface water	24.48	0.00	0.00	386.54	1,389,581.29 *gal*
Application event totals		63.87	2.41	73.44	600.17	

06/15/2023	Surface (irrigation)	No precipitation	No precipitation	No precipitation

Source description	Material type	N (lbs/acre)	P (lbs/acre)	K (lbs/acre)	Salt (lbs/acre)	Amount
Lagoon Water	Process wastewater	10.64	1.31	36.94	131.29	24,000.00 *gal*
Canal Water	Surface water	24.48	0.00	0.00	386.54	1,389,581.29 *gal*
Application event totals		35.12	1.31	36.94	517.83	

06/29/2023	Surface (irrigation)	No precipitation	No precipitation	No precipitation

Source description	Material type	N (lbs/acre)	P (lbs/acre)	K (lbs/acre)	Salt (lbs/acre)	Amount
Lagoon Water	Process wastewater	10.64	1.31	36.94	131.29	24,000.00 *gal*
Canal Water	Surface water	28.47	0.00	0.00	449.46	1,615,792.20 *gal*
Application event totals		39.10	1.31	36.94	580.75	

07/11/2023	Surface (irrigation)	No precipitation	No precipitation	No precipitation

Source description	Material type	N (lbs/acre)	P (lbs/acre)	K (lbs/acre)	Salt (lbs/acre)	Amount
Lagoon Water	Process wastewater	10.64	1.31	36.94	131.29	24,000.00 *gal*
Canal Water	Surface water	23.91	0.00	0.00	377.55	1,357,265.45 *gal*
Application event totals		34.55	1.31	36.94	508.84	

07/21/2023	Surface (irrigation)	No precipitation	No precipitation	No precipitation

Source description	Material type	N (lbs/acre)	P (lbs/acre)	K (lbs/acre)	Salt (lbs/acre)	Amount
Lagoon Water	Process wastewater	10.64	1.31	36.94	131.29	24,000.00 *gal*
Canal Water	Surface water	24.48	0.00	0.00	386.54	1,389,581.29 *gal*
Application event totals		35.12	1.31	36.94	517.83	

S-1 - 05/29/2023: Corn, silage

Application date	Application method	Precipitation 24 hours prior	Precipitation during application	Precipitation 24 hours following
07/24/2023	Surface (irrigation)	No precipitation	No precipitation	No precipitation

Source description	Material type	N (lbs/acre)	P (lbs/acre)	K (lbs/acre)	Salt (lbs/acre)	Amount
Canal Water	Surface water	13.09	0.00	0.00	206.75	743,264.41 *gal*
Application event totals		13.09	0.00	0.00	206.75	

Application date	Application method	Precipitation 24 hours prior	Precipitation during application	Precipitation 24 hours following
08/04/2023	Surface (irrigation)	No precipitation	No precipitation	No precipitation

Source description	Material type	N (lbs/acre)	P (lbs/acre)	K (lbs/acre)	Salt (lbs/acre)	Amount
Lagoon Water	Process wastewater	19.32	3.27	47.18	182.48	48,000.00 *gal*
Canal Water	Surface water	24.48	0.00	0.00	386.54	1,389,581.29 *gal*
Application event totals		43.80	3.27	47.18	569.01	

Application date	Application method	Precipitation 24 hours prior	Precipitation during application	Precipitation 24 hours following
08/16/2023	Surface (irrigation)	No precipitation	No precipitation	No precipitation

Source description	Material type	N (lbs/acre)	P (lbs/acre)	K (lbs/acre)	Salt (lbs/acre)	Amount
Canal Water	Surface water	23.91	0.00	0.00	377.55	1,357,265.45 *gal*
Application event totals		23.91	0.00	0.00	377.55	

Application date	Application method	Precipitation 24 hours prior	Precipitation during application	Precipitation 24 hours following
08/29/2023	Surface (irrigation)	No precipitation	No precipitation	No precipitation

Source description	Material type	N (lbs/acre)	P (lbs/acre)	K (lbs/acre)	Salt (lbs/acre)	Amount
Lagoon Water	Process wastewater	12.56	2.12	30.67	118.61	31,200.00 *gal*
Canal Water	Surface water	24.48	0.00	0.00	386.54	1,389,581.29 *gal*
Application event totals		37.04	2.12	30.67	505.15	

S-2 - 10/30/2022: Oats, silage-soft dough

Field name: S-2

Crop: Oats, silage-soft dough

Plant date: 10/30/2022

Application date	Application method	Precipitation 24 hours prior	Precipitation during application	Precipitation 24 hours following

S-2 - 10/30/2022: Oats, silage-soft dough

Application date	Application method	Precipitation 24 hours prior	Precipitation during application	Precipitation 24 hours following
04/20/2023	Surface (irrigation)	No precipitation	No precipitation	No precipitation

Source description	Material type	N (lbs/acre)	P (lbs/acre)	K (lbs/acre)	Salt (lbs/acre)	Amount
Canal Water	Surface water	24.24	0.00	0.00	382.73	3,974,848.81 *gal*
Application event totals		24.24	0.00	0.00	382.73	

Application date	Application method	Precipitation 24 hours prior	Precipitation during application	Precipitation 24 hours following
04/20/2023	Surface (irrigation)	No precipitation	No precipitation	No precipitation

Source description	Material type	N (lbs/acre)	P (lbs/acre)	K (lbs/acre)	Salt (lbs/acre)	Amount
Lagoon Water	Process wastewater	47.72	2.92	88.97	258.82	168,000.00 *gal*
Application event totals		47.72	2.92	88.97	258.82	

Application date	Application method	Precipitation 24 hours prior	Precipitation during application	Precipitation 24 hours following
10/18/2023	Surface (irrigation)	No precipitation	No precipitation	No precipitation

Source description	Material type	N (lbs/acre)	P (lbs/acre)	K (lbs/acre)	Salt (lbs/acre)	Amount
Canal Water	Surface water	24.24	0.00	0.00	382.73	3,974,848.81 *gal*
Application event totals		24.24	0.00	0.00	382.73	

Application date	Application method	Precipitation 24 hours prior	Precipitation during application	Precipitation 24 hours following
10/18/2023	Surface (irrigation)	No precipitation	No precipitation	No precipitation

Source description	Material type	N (lbs/acre)	P (lbs/acre)	K (lbs/acre)	Salt (lbs/acre)	Amount
Lagoon Water	Process wastewater	26.75	4.52	65.32	252.66	192,000.00 *gal*
Application event totals		26.75	4.52	65.32	252.66	

S-2 - 05/29/2023: Corn, silage

Field name: S-2

Crop: Corn, silage

Plant date: 05/29/2023

Application date	Application method	Precipitation 24 hours prior	Precipitation during application	Precipitation 24 hours following
05/19/2023	Surface (irrigation)	No precipitation	No precipitation	No precipitation

Source description	Material type	N (lbs/acre)	P (lbs/acre)	K (lbs/acre)	Salt (lbs/acre)	Amount
Lagoon Water	Process wastewater	11.05	1.36	38.36	136.34	72,000.00 *gal*
Canal Water	Surface water	19.71	0.00	0.00	311.16	3,231,584.40 *gal*
Application event totals		30.75	1.36	38.36	447.51	

S-2 - 05/29/2023: Corn, silage

Application date	Application method	Precipitation 24 hours prior	Precipitation during application	Precipitation 24 hours following
06/16/2023	Surface (irrigation)	No precipitation	No precipitation	No precipitation

Source description	Material type	N (lbs/acre)	P (lbs/acre)	K (lbs/acre)	Salt (lbs/acre)	Amount
Canal Water	Surface water	19.71	0.00	0.00	311.16	3,231,584.40 *gal*
Application event totals		19.71	0.00	0.00	311.16	

Application date	Application method	Precipitation 24 hours prior	Precipitation during application	Precipitation 24 hours following
06/27/2023	Surface (irrigation)	No precipitation	No precipitation	No precipitation

Source description	Material type	N (lbs/acre)	P (lbs/acre)	K (lbs/acre)	Salt (lbs/acre)	Amount
Lagoon Water	Process wastewater	11.05	1.36	38.36	136.34	72,000.00 *gal*
Canal Water	Surface water	19.71	0.00	0.00	311.16	3,231,584.40 *gal*
Application event totals		30.75	1.36	38.36	447.51	

Application date	Application method	Precipitation 24 hours prior	Precipitation during application	Precipitation 24 hours following
07/10/2023	Surface (irrigation)	No precipitation	No precipitation	No precipitation

Source description	Material type	N (lbs/acre)	P (lbs/acre)	K (lbs/acre)	Salt (lbs/acre)	Amount
Canal Water	Surface water	18.33	0.00	0.00	289.38	3,005,373.49 *gal*
Application event totals		18.33	0.00	0.00	289.38	

Application date	Application method	Precipitation 24 hours prior	Precipitation during application	Precipitation 24 hours following
07/20/2023	Surface (irrigation)	No precipitation	No precipitation	No precipitation

Source description	Material type	N (lbs/acre)	P (lbs/acre)	K (lbs/acre)	Salt (lbs/acre)	Amount
Lagoon Water	Process wastewater	7.36	0.90	25.57	90.90	48,000.00 *gal*
Canal Water	Surface water	19.71	0.00	0.00	311.16	3,231,584.40 *gal*
Application event totals		27.07	0.90	25.57	402.06	

Application date	Application method	Precipitation 24 hours prior	Precipitation during application	Precipitation 24 hours following
07/23/2023	Surface (irrigation)	No precipitation	No precipitation	No precipitation

Source description	Material type	N (lbs/acre)	P (lbs/acre)	K (lbs/acre)	Salt (lbs/acre)	Amount
Canal Water	Surface water	19.71	0.00	0.00	311.16	3,231,584.40 *gal*
Application event totals		19.71	0.00	0.00	311.16	

S-2 - 05/29/2023: Corn, silage

Application date	Application method	Precipitation 24 hours prior	Precipitation during application	Precipitation 24 hours following
08/02/2023	Surface (irrigation)	No precipitation	No precipitation	No precipitation

Source description	Material type	N (lbs/acre)	P (lbs/acre)	K (lbs/acre)	Salt (lbs/acre)	Amount
Lagoon Water	Process wastewater	11.78	1.45	40.92	145.43	76,800.00 *gal*
Canal Water	Surface water	19.71	0.00	0.00	311.16	3,231,584.40 *gal*
Application event totals		31.49	1.45	40.92	456.60	

Application date	Application method	Precipitation 24 hours prior	Precipitation during application	Precipitation 24 hours following
08/15/2023	Surface (irrigation)	No precipitation	No precipitation	No precipitation

Source description	Material type	N (lbs/acre)	P (lbs/acre)	K (lbs/acre)	Salt (lbs/acre)	Amount
Canal Water	Surface water	19.71	0.00	0.00	311.16	3,231,584.40 *gal*
Application event totals		19.71	0.00	0.00	311.16	

Application date	Application method	Precipitation 24 hours prior	Precipitation during application	Precipitation 24 hours following
08/28/2023	Surface (irrigation)	No precipitation	No precipitation	No precipitation

Source description	Material type	N (lbs/acre)	P (lbs/acre)	K (lbs/acre)	Salt (lbs/acre)	Amount
Canal Water	Surface water	18.33	0.00	0.00	289.38	3,005,373.49 *gal*
Application event totals		18.33	0.00	0.00	289.38	

B. NUTRIENT BUDGET

S-1 - 10/22/2022: Oats, silage-soft dough

Field name: S-1 Crop: Oats, silage-soft dough Plant date: 10/22/2022

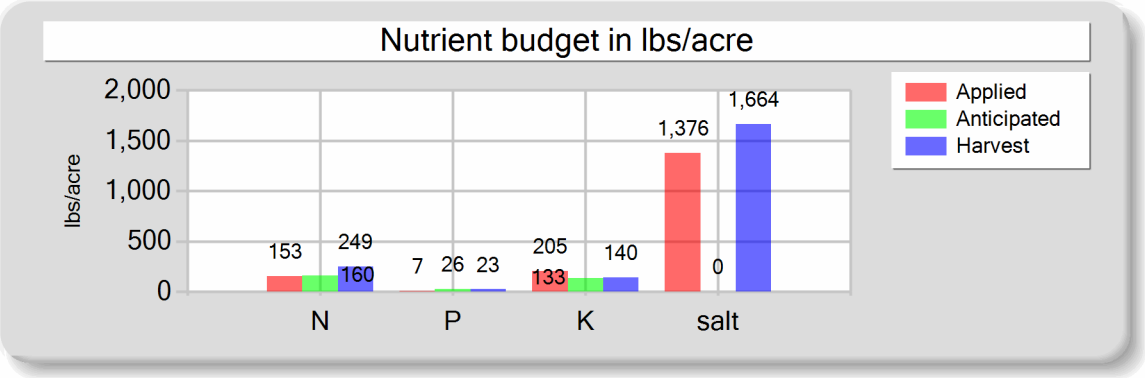

	Total N (lbs/acre)	Total P (lbs/acre)	Total K (lbs/acre)	Total salt (lbs/acre)
Existing soil nutrient content	0.00	0.00	0.00	0.00
Plowdown credit	0.00	0.00	0.00	0.00
Commercial fertilizer / Other	0.00	0.00	0.00	0.00
Dry manure	0.00	0.00	0.00	0.00
Process wastewater	102.71	7.12	205.29	692.97
Fresh water	43.27	0.00	0.00	683.18
Atmospheric deposition	7.00	0.00	0.00	0.00
Total nutrients applied	152.98	7.12	205.29	1,376.15
Anticipated crop nutrient removal	160.00	25.60	132.80	0.00
Actual crop nutrient removal	248.85	23.15	140.08	1,664.48
Nutrient balance	-95.87	-16.04	65.21	-288.33
Applied to removed ratio	0.61	0.31	1.47	0.83

Fresh water applied	
2,456,004.14	*gallons*
90.45	*acre-inches*
10.05	*inches/acre*

Process wastewater applied	
127,200.00	*gallons*
4.68	*acre-inches*
0.52	*inches/acre*

Total harvests for the crop	
1	*harvests*

S-1 - 05/29/2023: Corn, silage

Field name: S-1 Crop: Corn, silage Plant date: 05/29/2023

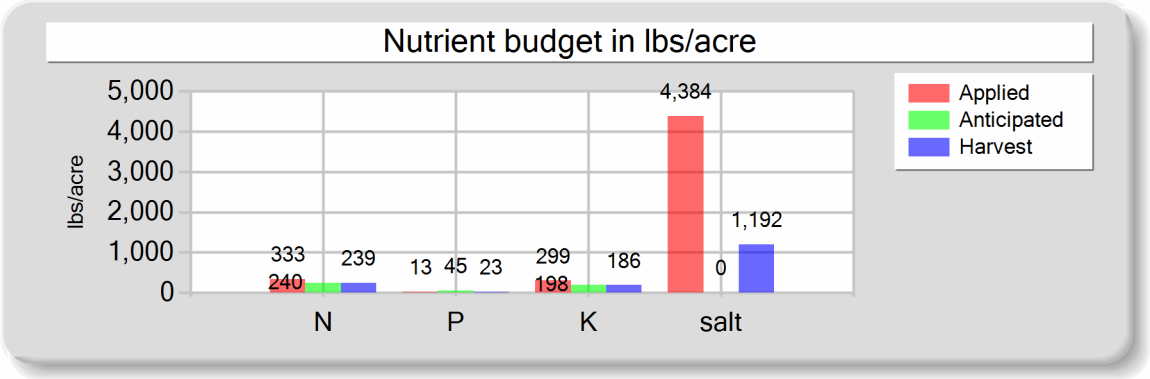

	Total N (lbs/acre)	Total P (lbs/acre)	Total K (lbs/acre)	Total salt (lbs/acre)
Existing soil nutrient content	0.00	0.00	0.00	0.00
Plowdown credit	0.00	0.00	0.00	0.00
Commercial fertilizer / Other	0.00	0.00	0.00	0.00
Dry manure	0.00	0.00	0.00	0.00
Process wastewater	113.81	13.02	299.04	1,039.90
Fresh water	211.79	0.00	0.00	3,343.98
Atmospheric deposition	7.00	0.00	0.00	0.00
Total nutrients applied	332.59	13.02	299.04	4,383.88
Anticipated crop nutrient removal	240.00	45.00	198.00	0.00
Actual crop nutrient removal	238.79	23.44	185.72	1,192.47
Nutrient balance	93.81	-10.41	113.32	3,191.41
Applied to removed ratio	1.39	0.56	1.61	3.68

Fresh water applied	
12,021,493.96	*gallons*
442.71	*acre-inches*
49.19	*inches/acre*

Process wastewater applied	
223,200.00	*gallons*
8.22	*acre-inches*
0.91	*inches/acre*

Total harvests for the crop	
1	*harvests*

S-2 - 10/30/2022: Oats, silage-soft dough

Field name: S-2 Crop: Oats, silage-soft dough Plant date: 10/30/2022

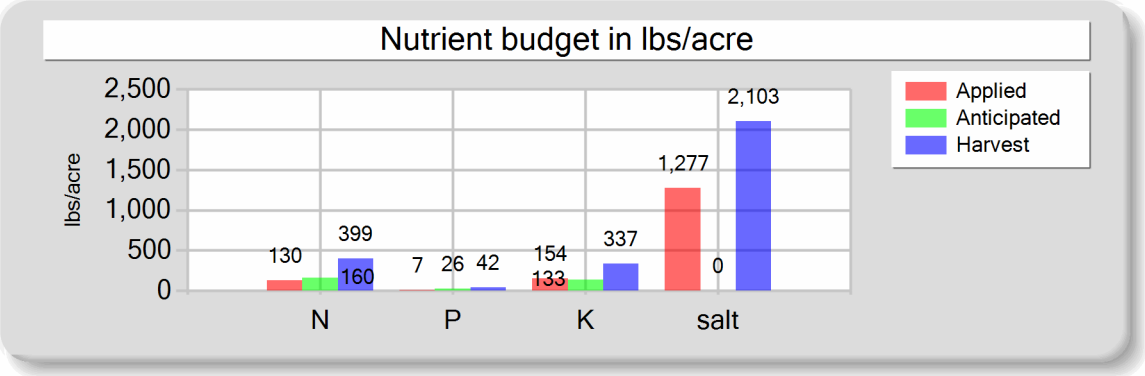

	Total N (lbs/acre)	Total P (lbs/acre)	Total K (lbs/acre)	Total salt (lbs/acre)
Existing soil nutrient content	0.00	0.00	0.00	0.00
Plowdown credit	0.00	0.00	0.00	0.00
Commercial fertilizer / Other	0.00	0.00	0.00	0.00
Dry manure	0.00	0.00	0.00	0.00
Process wastewater	74.47	7.44	154.29	511.48
Fresh water	48.48	0.00	0.00	765.46
Atmospheric deposition	7.00	0.00	0.00	0.00
Total nutrients applied	129.95	7.44	154.29	1,276.95
Anticipated crop nutrient removal	160.00	25.60	132.80	0.00
Actual crop nutrient removal	398.65	42.06	336.51	2,103.20
Nutrient balance	-268.71	-34.62	-182.22	-826.25
Applied to removed ratio	0.33	0.18	0.46	0.61

Fresh water applied	
7,949,697.62	*gallons*
292.76	*acre-inches*
11.26	*inches/acre*

Process wastewater applied	
360,000.00	*gallons*
13.26	*acre-inches*
0.51	*inches/acre*

Total harvests for the crop	
1	*harvests*

S-2 - 05/29/2023: Corn, silage

Field name: S-2 Crop: Corn, silage Plant date: 05/29/2023

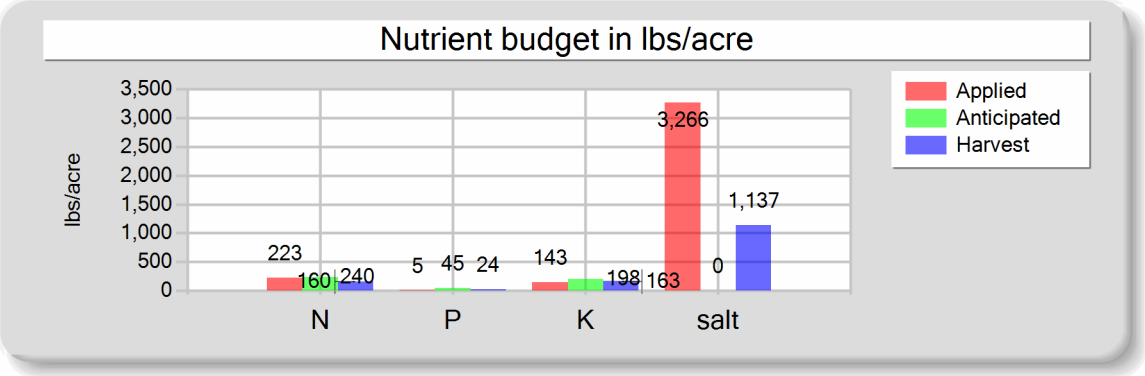

	Total N (lbs/acre)	Total P (lbs/acre)	Total K (lbs/acre)	Total salt (lbs/acre)
Existing soil nutrient content	0.00	0.00	0.00	0.00
Plowdown credit	0.00	0.00	0.00	0.00
Commercial fertilizer / Other	0.00	0.00	0.00	0.00
Dry manure	0.00	0.00	0.00	0.00
Process wastewater	41.24	5.06	143.22	509.02
Fresh water	174.60	0.00	0.00	2,756.92
Atmospheric deposition	7.00	0.00	0.00	0.00
Total nutrients applied	222.84	5.06	143.22	3,265.93
Anticipated crop nutrient removal	240.00	45.00	198.00	0.00
Actual crop nutrient removal	160.03	23.90	163.09	1,136.82
Nutrient balance	62.82	-18.83	-19.88	2,129.12
Applied to removed ratio	1.39	0.21	0.88	2.87

Fresh water applied	
28,631,837.78	*gallons*
1,054.41	*acre-inches*
40.55	*inches/acre*

Process wastewater applied	
268,800.00	*gallons*
9.90	*acre-inches*
0.38	*inches/acre*

Total harvests for the crop	
1	*harvests*

NUTRIENT ANALYSES

A. MANURE ANALYSES

No manure analyses entered.

B. PROCESS WASTEWATER ANALYSES

Lagoon Water 2301395-01

Sample and source description: Lagoon Water 2301395-01

Sample date: 01/25/2023 Material type: Process wastewater Source of analysis: Lab analysis pH:

	Kjeldahl-N (mg/L)	NH4-N (mg/L)	NH3-N (mg/L)	Nitrate-N (mg/L)	Total P (mg/L)	Total K (mg/L)	Calcium (mg/L)	Magnes. (mg/L)	Sodium (mg/L)	Bicarb. (mg/L)	Carb. (mg/L)	Sulfate (mg/L)	Chloride (mg/L)	EC (µmhos/cm)	TDS (mg/L)
Value	860.00	492.00			65.10	1,810.00								9,000.00	6,700
DL	0.60	12.00			0.10	10.00								1.00	1

Lagoon Water 2303391-01

Sample and source description: Lagoon Water 2303391-01

Sample date: 03/27/2023 Material type: Process wastewater Source of analysis: Lab analysis pH:

	Kjeldahl-N (mg/L)	NH4-N (mg/L)	NH3-N (mg/L)	Nitrate-N (mg/L)	Total P (mg/L)	Total K (mg/L)	Calcium (mg/L)	Magnes. (mg/L)	Sodium (mg/L)	Bicarb. (mg/L)	Carb. (mg/L)	Sulfate (mg/L)	Chloride (mg/L)	EC (µmhos/cm)	TDS (mg/L)
Value	885.00	885.00			54.10	1,650.00								8,230.00	4,800
DL	0.60	10.00			0.10	10.00								1.00	1

Lagoon Water 2307224-01

Sample and source description: Lagoon Water 2307224-01

Sample date: 07/16/2023 Material type: Process wastewater Source of analysis: Lab analysis pH:

	Kjeldahl-N (mg/L)	NH4-N (mg/L)	NH3-N (mg/L)	Nitrate-N (mg/L)	Total P (mg/L)	Total K (mg/L)	Calcium (mg/L)	Magnes. (mg/L)	Sodium (mg/L)	Bicarb. (mg/L)	Carb. (mg/L)	Sulfate (mg/L)	Chloride (mg/L)	EC (µmhos/cm)	TDS (mg/L)
Value	478.00	394.00			58.70	1,660.00								735.00	5,900
DL	0.60	0.60			0.10	10.00								1.00	1

Lagoon Water 2310032-01

Sample and source description: Lagoon Water 2310032-01

Sample date: 09/30/2023 Material type: Process wastewater Source of analysis: Lab analysis pH:

	Kjeldahl-N (mg/L)	NH4-N (mg/L)	NH3-N (mg/L)	Nitrate-N (mg/L)	Total P (mg/L)	Total K (mg/L)	Calcium (mg/L)	Magnes. (mg/L)	Sodium (mg/L)	Bicarb. (mg/L)	Carb. (mg/L)	Sulfate (mg/L)	Chloride (mg/L)	EC (µmhos/cm)	TDS (mg/L)
Value	434.00	378.00			73.40	1,060.00								6,310.00	4,100
DL	0.60	0.60			0.10	10.00								1.00	1

Lagoon Water 2312556-01

Sample and source description: Lagoon Water 2312556-01

Sample date: 12/30/2023 Material type: Process wastewater Source of analysis: Lab analysis pH:

	Kjeldahl-N (mg/L)	NH4-N (mg/L)	NH3-N (mg/L)	Nitrate-N (mg/L)	Total P (mg/L)	Total K (mg/L)	Calcium (mg/L)	Magnes. (mg/L)	Sodium (mg/L)	Bicarb. (mg/L)	Carb. (mg/L)	Sulfate (mg/L)	Chloride (mg/L)	EC (µmhos/cm)	TDS (mg/L)
Value	816.00	625.00			80.00	18,700.00								854.00	7,200
DL	1.20	0.60			0.10	10.00								1.00	1

C. FRESH WATER ANALYSES

Canal Water

2310031-01

Sample description: 2310031-01

Sample date: 09/30/2023 Source of analysis: Lab analysis

	Total N (mg/L)	NH4-N (mg/L)	Nitrate-N (mg/L)	Calcium (mg/L)	Magnesium (mg/L)	Sodium (mg/L)	Bicarbonate (mg/L)	Carbonate (mg/L)	Sulfate (mg/L)	Chloride (mg/L)	EC (µmhos/cm)	TDS (mg/L)
Value	19.00		19.00								517.00	300
DL	0.40		0.40								1.00	1

Domestic Well Barn

Domestic Well Barn

2312117-02

Sample description: 2312117-02

Sample date: 12/08/2023 Source of analysis: Lab analysis

	Total N (mg/L)	NH4-N (mg/L)	Nitrate-N (mg/L)	Calcium (mg/L)	Magnesium (mg/L)	Sodium (mg/L)	Bicarbonate (mg/L)	Carbonate (mg/L)	Sulfate (mg/L)	Chloride (mg/L)	EC (µmhos/cm)	TDS (mg/L)
Value	53.20										1,400.00	
DL	0.40										1.00	

Domestic Well house

2312117-01

Sample description: 2312117-01

Sample date: 12/08/2023 Source of analysis: Lab analysis

	Total N (mg/L)	NH4-N (mg/L)	Nitrate-N (mg/L)	Calcium (mg/L)	Magnesium (mg/L)	Sodium (mg/L)	Bicarbonate (mg/L)	Carbonate (mg/L)	Sulfate (mg/L)	Chloride (mg/L)	EC (µmhos/cm)	TDS (mg/L)
Value	62.90										1,600.00	
DL	0.40										1.00	

D. SOIL ANALYSES

No soil analyses entered.

E. PLANT TISSUE ANALYSES

S-1 - 10/22/2022: Oats, silage-soft dough

S-1 - 10/22/2022: Oats, silage-soft dough

2305227-01

Sample and source description: 2305227-01

Sample date: 05/11/2023 Source of analysis: Lab analysis Method of reporting: Dry-weight

Moisture: 79.4 %

	Total N (mg/kg)	Total P (mg/kg)	Total K (mg/kg)	Total salt (mg/kg)	TFS (%)
Value	30,200.00	2,810.00	17,000.00		20.20
DL	0.50	0.50	0.50		0.10

S-1 - 05/29/2023: Corn, silage

2310032-02

Sample and source description: 2310032-02

Sample date: 09/30/2023 Source of analysis: Lab analysis Method of reporting: Dry-weight

Moisture: 66.5 %

	Total N (mg/kg)	Total P (mg/kg)	Total K (mg/kg)	Total salt (mg/kg)	TFS (%)
Value	16,200.00	1,590.00	12,600.00		8.09
DL	0.50	0.50	0.50		0.10

S-2 - 10/30/2022: Oats, silage-soft dough

2305227-02

Sample and source description: 2305227-02

Sample date: 05/11/2023 Source of analysis: Lab analysis Method of reporting: Dry-weight

Moisture: 76.1 %

	Total N (mg/kg)	Total P (mg/kg)	Total K (mg/kg)	Total salt (mg/kg)	TFS (%)
Value	41,700.00	4,400.00	35,200.00		22.00
DL	0.50	0.50	0.50		0.10

S-2 - 05/29/2023: Corn, silage

2310032-03

Sample and source description: 2310032-03

Sample date: 09/30/2023 Source of analysis: Lab analysis Method of reporting: Dry-weight

Moisture: 63.3 %

	Total N (mg/kg)	Total P (mg/kg)	Total K (mg/kg)	Total salt (mg/kg)	TFS (%)
Value	9,910.00	1,480.00	10,100.00		7.04
DL	0.50	0.50	0.50		0.10

F. SUBSURFACE (TILE) DRAINAGE ANALYSES

No subsurface (tile) drainage analyses entered.

NUTRIENT APPLICATIONS, POTENTIAL REMOVAL, AND BALANCE

A. SUMMARY OF NUTRIENT APPLICATIONS, POTENTIAL REMOVAL, AND BALANCE

	Total N (lbs)	Total P (lbs)	Total K (lbs)	Total salt (lbs)
Existing soil nutrient content	0.00	0.00	0.00	0.00
Plowdown credit	0.00	0.00	0.00	0.00
Commercial fertilizer / Other	0.00	0.00	0.00	0.00
Dry manure	0.00	0.00	0.00	0.00
Process wastewater	4,956.99	506.37	12,274.16	42,128.90
Fresh water	8,095.67	0.00	0.00	127,826.29
Atmospheric deposition	490.00	0.00	0.00	0.00
Total nutrients applied	13,542.66	506.37	12,274.16	169,955.19
Anticipated crop nutrient removal	14,000.00	2,471.00	11,578.00	0.00
Actual crop nutrient removal	18,914.37	2,134.36	15,922.01	109,953.01
Nutrient balance	-5,371.71	-1,627.99	-3,647.85	60,002.18
Applied to removed ratio	0.72	0.24	0.77	1.55

B. POUNDS OF NUTRIENT APPLIED VS. CROP REMOVAL

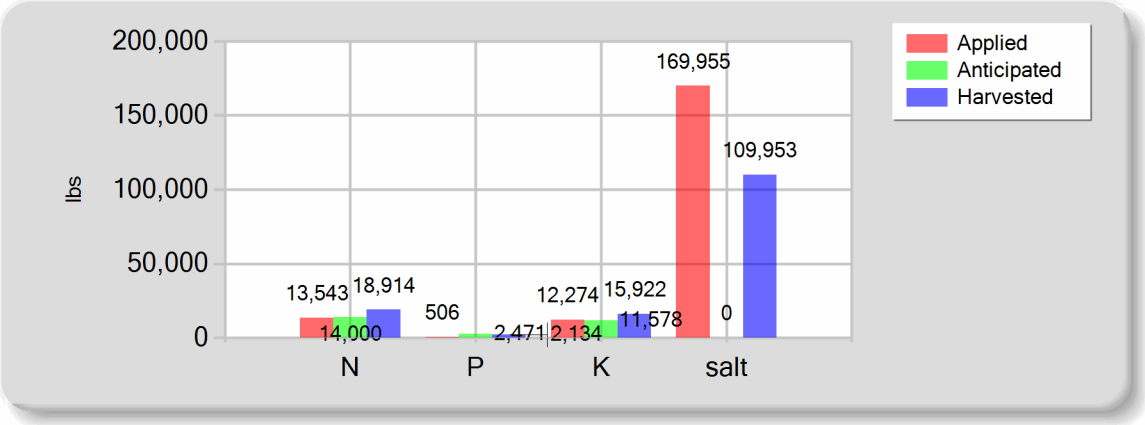

C. POUNDS OF NUTRIENT APPLIED BY MATERIAL TYPE

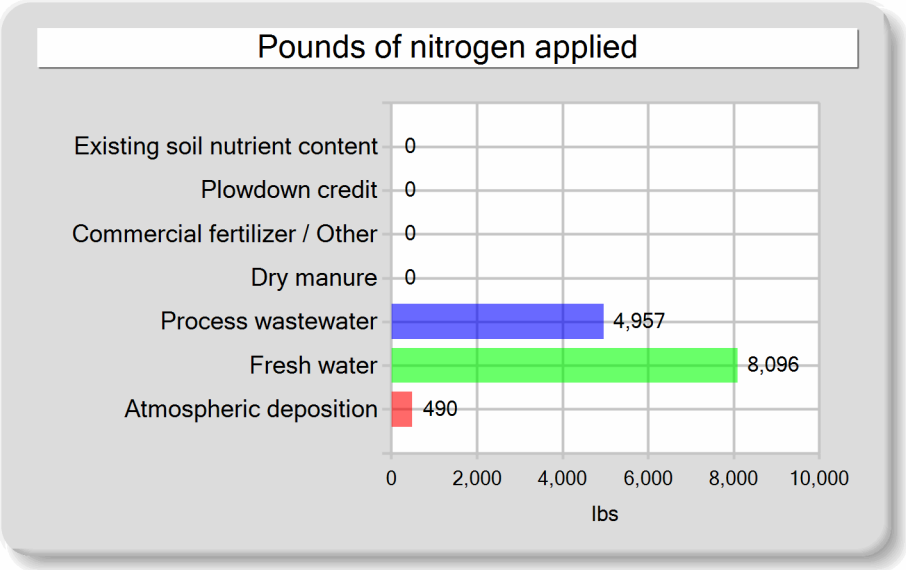

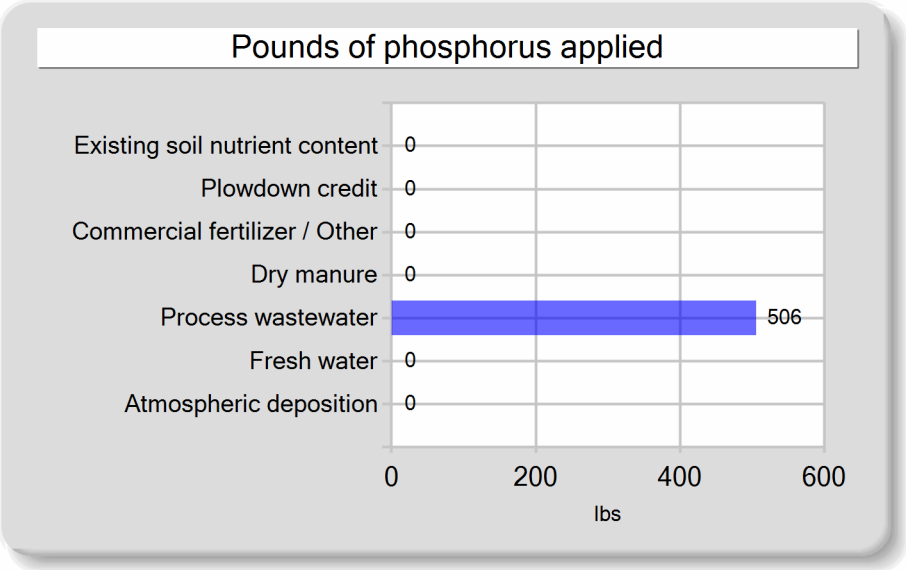

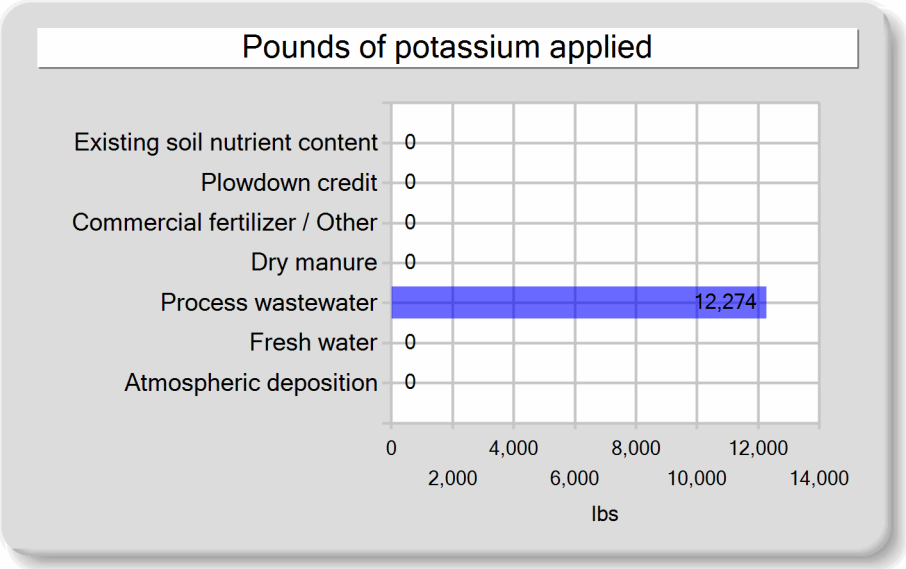

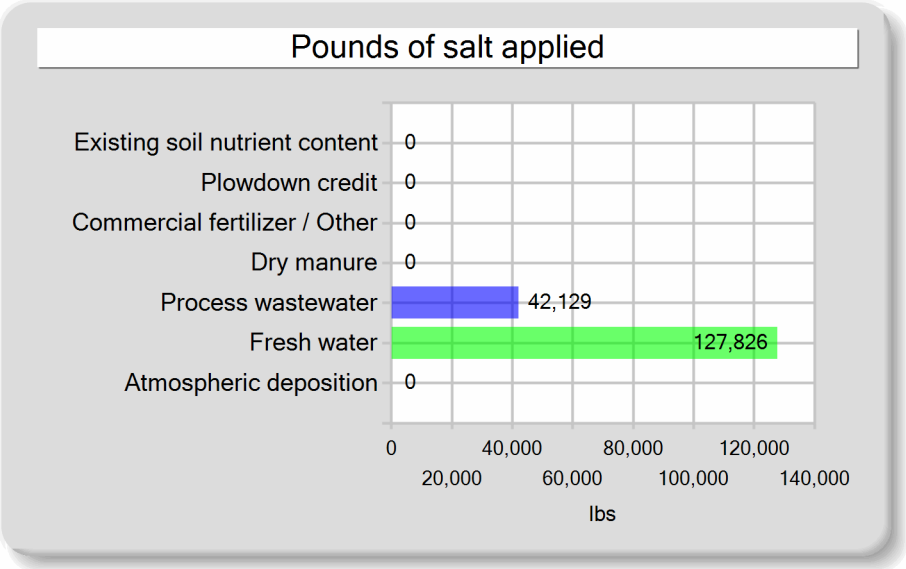

EXCEPTION REPORTING

A. MANURE, PROCESS WASTEWATER, AND OTHER DAIRY WASTE DISCHARGES

The following is a summary of all manure and process wastewater discharges from the production area to surface water or to land areas (land application areas or otherwise) when not in accordance with the facility's Nutrient Management Plan.

No manure or process wastewater discharges occurred during the reporting period.

B. STORM WATER DISCHARGES

The following is a summary of all storm water discharges from the production area to surface water during the reporting period when not in accordance with the facility 's Nutrient Management Plan.

No stormwater discharges occurred during the reporting period.

C. LAND APPLICATION AREA TO SURFACE WATER DISCHARGES

The following is a summary of all discharges from the land application area to surface water that have occurred during the reporting period when not in accordance with the facility's Nutrient Management Plan.

No land application area to surface water discharges occurred during the reporting period.

NUTRIENT MANAGEMENT PLAN AND EXPORT AGREEMENT STATEMENTS

A. NUTRIENT MANAGEMENT PLAN STATEMENTS

Was the facility's NMP updated in the reporting period?	No
Was the facility's NMP developed by a certified nutrient management planner (specialist) as specified in Attachment C of the General Order?	Yes
Was the facility's NMP approved by a certified nutrient management planner (specialist) as specified in Attachment C of the General Order?	Yes

B. EXPORT AGREEMENT STATEMENT

Are there any written agreements with third parties to receive manure or process wastewater that are new or were revised within the reporting period?	No

ADDITIONAL NOTES

A. NOTES

No notes entered for this annual report.

Annual Report - General Order No. R5-2007-0035
Reporting period 01/01/2023 to 12/31/2023.

CERTIFICATION

A. OWNER AND/OR OPERATOR CERTIFICATION

I certify under penalty of law that I have personally examined and am familiar with the information submitted in this document and all attachments and that, based on my inquiry of those individuals immediately responsible for obtaining the information, I believe that the information is true, accurate, and complete. I am aware that there are significant penalties for submitting false information, including the possibility of fine and imprisonment.

X João Salvador

SIGNATURE OF OWNER OF FACILITY

SIGNATURE OF OPERATOR OF FACILITY

Joao & Maria Salvador

PRINT OR TYPE NAME

SAME AS OWNER

PRINT OR TYPE NAME

✓ 6-28-24

DATE

DATE

Annual Report - General Order No. R5-2007-0035
Reporting period 01/01/2023 to 12/31/2023.

ATTACHMENTS

A. REQUIRED ATTACHMENTS

The following lists the required documents that should be attached to the Annual Report when submitted .

Annual Dairy Facility Assessment	N/A
Provide an Annual Dairy Facility Assessment (an update to the Preliminary Dairy Facility Assessment in Attachment A) for each reporting period. On the PDFA Final page, click on the ADFA Report button to generate an ADFA report after updating information as needed .	

Manure/Process Wastewater Tracking Manifests	See Attachment
Provide copies of all manure/process wastewater tracking manifests for the reporting period, signed by both the owner/operator and the hauler.	

Corrective Actions Documents	N/A
Provide records documenting any corrective actions taken to correct deficiencies noted as a result of the inspections required in the Monitoring Requirements of the General Order. Deficiencies not corrected in 30 days must be accompanied by an explanation of the factors preventing immediate correction.	

Groundwater Monitoring	N/A
Dischargers that monitor supply wells or subsurface (tile) drainage systems, or that have monitoring well systems must submit monitoring results as directed in the General Order, Groundwater Reporting Section starting on page MRP-13.	

Storm Water Monitoring	N/A
Dischargers that are required to monitor storm water more frequently than required in the General Order must submit monitoring results as directed in the General Order, Storm Water Reporting Section on page MRP-14.	