Annual Report - General Order No. R5-2007-0035
Reporting period 01/01/2023 to 12/31/2023.

DAIRY FACILITY INFORMATION

A. NAME OF DAIRY OR BUSINESS OPERATING THE DAIRY: Sierra Ranches

Physical address of dairy:

1412 Albers RD	Modesto	Stanislaus	95357
Number and Street	City	County	Zip Code

Street and nearest cross street (if no address):

Date facility was originally placed in operation: 04/01/1988

Regional Water Quality Control Board Basin Plan designation: San Joaquin River Basin

County Assessor Parcel Number(s) for dairy facility:

X014-X045-X004-XXXX

B. OPERATORS

TKC Partners LLC

Operator name: TKC Partners LLC

Telephone no.: (209) 277-6896 (Landline) (Cellular)

P.O. Box 577980	Modesto	CA	95357
Mailing Address Number and Street	City	State	Zip Code

This operator is responsible for paying permit fees.

C. OWNERS

TKC Partners LLC

Legal owner name: TKC Partners LLC

Telephone no.: (209) 277-6896 (Landline) (Cellular)

P.O. Box 577980	Modesto	CA	95357
Mailing Address Number and Street	City	State	Zip Code

This owner is responsible for paying permit fees.

Annual Report - General Order No. R5-2007-0035
Reporting period 01/01/2023 to 12/31/2023.

AVAILABLE NUTRIENTS

A. HERD INFORMATION

	Milk Cows	Dry Cows	Bred Heifers (15-24 mo.)	Heifers (7-14 mo. to breeding)	Calves (4-6 mo.)	Calves (0-3 mo.)
Number open confinement	0	0	0	125	0	0
Number under roof	0	0	0	0	0	0
Maximum number	0	0	0	125	0	0
Average number	0	0	0	125	0	0
Avg live weight (lbs)	0	0	0	1,350		

Predominant milk cow breed: Other

Average milk production: 1 *pounds per cow per day*

B. MANURE GENERATED

Total manure excreted by the herd: 1,450.41 *tons per reporting period*

Total nitrogen from manure: 11,862.50 *lbs per reporting period*

After ammonia losses (30% loss applied): 8,303.75 *lbs per reporting period*

Total phosphorus from manure: 2,007.50 *lbs per reporting period*

Total potassium from manure: 1.00 *lbs per reporting period*

Total salt from manure: 0.00 *lbs per reporting period*

C. PROCESS WASTEWATER GENERATED

Process wastewater generated: 8,646,000 *gallons*

Total nitrogen generated: 1,446.54 *lbs*

Total phosphorus generated: 702.27 *lbs*

Total potassium generated: 5,860.08 *lbs*

Total salt generated: 21,854.55 *lbs*

	8,646,000	*gallons applied*
+	0	*gallons exported*
-	0	*gallons imported*
=	8,646,000	*gallons generated*

D. FRESH WATER SOURCES

Source Description	Type
Canal OID	Surface water

E. SUBSURFACE (TILE) DRAINAGE SOURCES

No subsurface (tile) drainage sources entered.

F. NUTRIENT IMPORTS

No dry manure nutrient imports entered.

No process wastewater nutrient imports entered.

No commercial or other nutrient imports entered.

G. NUTRIENT EXPORTS

No solid nutrient exports entered.

No liquid nutrient exports entered.

APPLICATION AREA

A. LIST OF LAND APPLICATION AREAS

Field name	Controlled acres	Cropable acres	Total harvests	Type of waste applied	Parcel number
Field P1	25	25	1	both	X014-X045-X004-XXXX
Field P2	42	42	1	process wastewater	X014-X045-X004-XXXX
Field P3	25	22	1	manure	X014-X045-X001-XXXX
Totals for areas that were used for application	92	89	3		
Totals for areas that were not used for application					
Land application area totals	92	89	3		

B. CROPS AND HARVESTS

Field P1

Field name: Field P1

01/01/2023: Pasture

Crop: Pasture Acres planted: 25 Plant date: 01/01/2023

Harvest date	Yield	Reporting basis	Density (lbs/cu ft)	Moisture (%)	N (mg/kg)	P (mg/kg)	K (mg/kg)	Salt (mg/kg)	TFS (%)
04/26/2023	375.00 *ton*	As-is		70.0	9,260.00	940.00	7,980.00		9.20

	Yield (tons/acre)	Total N (lbs/acre)	Total P (lbs/acre)	Total K (lbs/acre)	Salt (lbs/acre)
Anticipated harvest content	15.00	276.00	39.00	283.50	0.00
Total actual harvest content	15.00	277.80	28.20	239.40	828.00

Field P2

Field name: Field P2

Field P2

01/01/2023: Pasture

Crop: Pasture Acres planted: 42 Plant date: 01/01/2023

Harvest date	Yield	Reporting basis	Density (lbs/cu ft)	Moisture (%)	N (mg/kg)	P (mg/kg)	K (mg/kg)	Salt (mg/kg)	TFS (%)
04/26/2023	630.00 *ton*	As-is		70.0	6,250.00	720.00	4,290.00		7.34

	Yield (tons/acre)	Total N (lbs/acre)	Total P (lbs/acre)	Total K (lbs/acre)	Salt (lbs/acre)
Anticipated harvest content	15.00	276.00	39.00	283.50	0.00
Total actual harvest content	15.00	187.50	21.60	128.70	660.60

Field P3

Field name: Field P3

01/01/2023: Pasture

Crop: Pasture Acres planted: 22 Plant date: 01/01/2023

Harvest date	Yield	Reporting basis	Density (lbs/cu ft)	Moisture (%)	N (mg/kg)	P (mg/kg)	K (mg/kg)	Salt (mg/kg)	TFS (%)
04/26/2023	330.00 *ton*	As-is		70.0	6,580.00	840.00	7,040.00		8.39

	Yield (tons/acre)	Total N (lbs/acre)	Total P (lbs/acre)	Total K (lbs/acre)	Salt (lbs/acre)
Anticipated harvest content	15.00	276.00	39.00	283.50	0.00
Total actual harvest content	15.00	197.40	25.20	211.20	755.10

NUTRIENT BUDGET

A. LAND APPLICATIONS

Field P1 - 01/01/2023: Pasture

Field name: Field P1

Crop: Pasture

Plant date: 01/01/2023

Application date	Application method	Precipitation 24 hours prior	Precipitation during application	Precipitation 24 hours following
02/01/2023	Surface (irrigation)	No precipitation	No precipitation	No precipitation

Source description	Material type	N (lbs/acre)	P (lbs/acre)	K (lbs/acre)	Salt (lbs/acre)	Amount
WWS	Process wastewater	6.66	3.49	21.15	148.05	792,000.00 *gal*
Application event totals		6.66	3.49	21.15	148.05	

Application date	Application method	Precipitation 24 hours prior	Precipitation during application	Precipitation 24 hours following
04/18/2023	Broadcast/incorporate	No precipitation	No precipitation	No precipitation

Source description	Material type	N (lbs/acre)	P (lbs/acre)	K (lbs/acre)	Salt (lbs/acre)	Amount
Solid Manure	Corral solids	148.68	39.80	150.68	2,880.23	180.00 *ton*
Application event totals		148.68	39.80	150.68	2,880.23	

Application date	Application method	Precipitation 24 hours prior	Precipitation during application	Precipitation 24 hours following
04/20/2023	Surface (irrigation)	No precipitation	No precipitation	No precipitation

Source description	Material type	N (lbs/acre)	P (lbs/acre)	K (lbs/acre)	Salt (lbs/acre)	Amount
Canal OID	Surface water	0.81	0.00	0.00	41.92	2,415,000.00 *gal*
Application event totals		0.81	0.00	0.00	41.92	

Application date	Application method	Precipitation 24 hours prior	Precipitation during application	Precipitation 24 hours following
05/11/2023	Surface (irrigation)	No precipitation	No precipitation	No precipitation

Source description	Material type	N (lbs/acre)	P (lbs/acre)	K (lbs/acre)	Salt (lbs/acre)	Amount
Canal OID	Surface water	0.85	0.00	0.00	43.74	2,520,000.00 *gal*
Application event totals		0.85	0.00	0.00	43.74	

Application date	Application method	Precipitation 24 hours prior	Precipitation during application	Precipitation 24 hours following
05/25/2023	Surface (irrigation)	No precipitation	No precipitation	No precipitation

Source description	Material type	N (lbs/acre)	P (lbs/acre)	K (lbs/acre)	Salt (lbs/acre)	Amount
WWS	Process wastewater	5.27	4.65	53.16	100.46	627,000.00 *gal*
Canal OID	Surface water	0.67	0.00	0.00	34.63	1,995,000.00 *gal*
Application event totals		5.95	4.65	53.16	135.09	

Field P1 - 01/01/2023: Pasture

Application date	Application method	Precipitation 24 hours prior	Precipitation during application	Precipitation 24 hours following
06/08/2023	Surface (irrigation)	No precipitation	No precipitation	No precipitation

Source description	Material type	N (lbs/acre)	P (lbs/acre)	K (lbs/acre)	Salt (lbs/acre)	Amount
Canal OID	Surface water	0.85	0.00	0.00	43.74	2,520,000.00 *gal*
Application event totals		0.85	0.00	0.00	43.74	

Application date	Application method	Precipitation 24 hours prior	Precipitation during application	Precipitation 24 hours following
06/22/2023	Surface (irrigation)	No precipitation	No precipitation	No precipitation

Source description	Material type	N (lbs/acre)	P (lbs/acre)	K (lbs/acre)	Salt (lbs/acre)	Amount
Canal OID	Surface water	0.88	0.00	0.00	45.56	2,625,000.00 *gal*
Application event totals		0.88	0.00	0.00	45.56	

Application date	Application method	Precipitation 24 hours prior	Precipitation during application	Precipitation 24 hours following
07/06/2023	Surface (irrigation)	No precipitation	No precipitation	No precipitation

Source description	Material type	N (lbs/acre)	P (lbs/acre)	K (lbs/acre)	Salt (lbs/acre)	Amount
WWS	Process wastewater	1.85	0.86	6.87	0.00	660,000.00 *gal*
Canal OID	Surface water	0.71	0.00	0.00	36.45	2,100,000.00 *gal*
Application event totals		2.56	0.86	6.87	36.45	

Application date	Application method	Precipitation 24 hours prior	Precipitation during application	Precipitation 24 hours following
07/20/2023	Surface (irrigation)	No precipitation	No precipitation	No precipitation

Source description	Material type	N (lbs/acre)	P (lbs/acre)	K (lbs/acre)	Salt (lbs/acre)	Amount
Canal OID	Surface water	0.88	0.00	0.00	45.56	2,625,000.00 *gal*
Application event totals		0.88	0.00	0.00	45.56	

Application date	Application method	Precipitation 24 hours prior	Precipitation during application	Precipitation 24 hours following
08/03/2023	Surface (irrigation)	No precipitation	No precipitation	No precipitation

Source description	Material type	N (lbs/acre)	P (lbs/acre)	K (lbs/acre)	Salt (lbs/acre)	Amount
Canal OID	Surface water	0.88	0.00	0.00	45.56	2,625,000.00 *gal*
Application event totals		0.88	0.00	0.00	45.56	

Application date	Application method	Precipitation 24 hours prior	Precipitation during application	Precipitation 24 hours following
08/17/2023	Surface (irrigation)	No precipitation	No precipitation	No precipitation

Source description	Material type	N (lbs/acre)	P (lbs/acre)	K (lbs/acre)	Salt (lbs/acre)	Amount
Canal OID	Surface water	0.85	0.00	0.00	43.74	2,520,000.00 *gal*
Application event totals		0.85	0.00	0.00	43.74	

Field P1 - 01/01/2023: Pasture

Application date	Application method	Precipitation 24 hours prior	Precipitation during application	Precipitation 24 hours following
08/31/2023	Surface (irrigation)	No precipitation	No precipitation	No precipitation

Source description	Material type	N (lbs/acre)	P (lbs/acre)	K (lbs/acre)	Salt (lbs/acre)	Amount
WWS	Process wastewater	1.67	0.78	6.19	0.00	594,000.00 *gal*
Canal OID	Surface water	0.64	0.00	0.00	32.81	1,890,000.00 *gal*
Application event totals		2.30	0.78	6.19	32.81	

Application date	Application method	Precipitation 24 hours prior	Precipitation during application	Precipitation 24 hours following
09/14/2023	Surface (irrigation)	No precipitation	No precipitation	No precipitation

Source description	Material type	N (lbs/acre)	P (lbs/acre)	K (lbs/acre)	Salt (lbs/acre)	Amount
Canal OID	Surface water	0.81	0.00	0.00	41.92	2,415,000.00 *gal*
Application event totals		0.81	0.00	0.00	41.92	

Application date	Application method	Precipitation 24 hours prior	Precipitation during application	Precipitation 24 hours following
09/30/2023	Surface (irrigation)	No precipitation	No precipitation	No precipitation

Source description	Material type	N (lbs/acre)	P (lbs/acre)	K (lbs/acre)	Salt (lbs/acre)	Amount
Canal OID	Surface water	0.78	0.00	0.00	40.10	2,310,000.00 *gal*
Application event totals		0.78	0.00	0.00	40.10	

Field P2 - 01/01/2023: Pasture

Field name: Field P2

Crop: Pasture

Plant date: 01/01/2023

Application date	Application method	Precipitation 24 hours prior	Precipitation during application	Precipitation 24 hours following
03/31/2023	Surface (irrigation)	No precipitation	No precipitation	No precipitation

Source description	Material type	N (lbs/acre)	P (lbs/acre)	K (lbs/acre)	Salt (lbs/acre)	Amount
WWS	Process wastewater	7.93	4.15	25.18	176.25	1,584,000.00 *gal*
Application event totals		7.93	4.15	25.18	176.25	

Application date	Application method	Precipitation 24 hours prior	Precipitation during application	Precipitation 24 hours following
04/21/2023	Surface (irrigation)	No precipitation	No precipitation	No precipitation

Source description	Material type	N (lbs/acre)	P (lbs/acre)	K (lbs/acre)	Salt (lbs/acre)	Amount
Canal OID	Surface water	0.84	0.00	0.00	43.39	4,200,000.00 *gal*
Application event totals		0.84	0.00	0.00	43.39	

Field P2 - 01/01/2023: Pasture

Application date	Application method	Precipitation 24 hours prior	Precipitation during application	Precipitation 24 hours following
05/12/2023	Surface (irrigation)	No precipitation	No precipitation	No precipitation

Source description	Material type	N (lbs/acre)	P (lbs/acre)	K (lbs/acre)	Salt (lbs/acre)	Amount
Canal OID	Surface water	0.82	0.00	0.00	42.31	4,095,000.00 *gal*
Application event totals		0.82	0.00	0.00	42.31	

Application date	Application method	Precipitation 24 hours prior	Precipitation during application	Precipitation 24 hours following
05/26/2023	Surface (irrigation)	No precipitation	No precipitation	No precipitation

Source description	Material type	N (lbs/acre)	P (lbs/acre)	K (lbs/acre)	Salt (lbs/acre)	Amount
Canal OID	Surface water	0.84	0.00	0.00	43.39	4,200,000.00 *gal*
Application event totals		0.84	0.00	0.00	43.39	

Application date	Application method	Precipitation 24 hours prior	Precipitation during application	Precipitation 24 hours following
06/09/2023	Surface (irrigation)	No precipitation	No precipitation	No precipitation

Source description	Material type	N (lbs/acre)	P (lbs/acre)	K (lbs/acre)	Salt (lbs/acre)	Amount
Canal OID	Surface water	0.84	0.00	0.00	43.39	4,200,000.00 *gal*
Application event totals		0.84	0.00	0.00	43.39	

Application date	Application method	Precipitation 24 hours prior	Precipitation during application	Precipitation 24 hours following
06/23/2023	Surface (irrigation)	No precipitation	No precipitation	No precipitation

Source description	Material type	N (lbs/acre)	P (lbs/acre)	K (lbs/acre)	Salt (lbs/acre)	Amount
Canal OID	Surface water	0.86	0.00	0.00	44.48	4,305,000.00 *gal*
Application event totals		0.86	0.00	0.00	44.48	

Application date	Application method	Precipitation 24 hours prior	Precipitation during application	Precipitation 24 hours following
07/07/2023	Surface (irrigation)	No precipitation	No precipitation	No precipitation

Source description	Material type	N (lbs/acre)	P (lbs/acre)	K (lbs/acre)	Salt (lbs/acre)	Amount
WWS	Process wastewater	3.58	1.67	13.30	0.00	2,145,000.00 *gal*
Canal OID	Surface water	0.44	0.00	0.00	22.78	2,205,000.00 *gal*
Application event totals		4.02	1.67	13.30	22.78	

Application date	Application method	Precipitation 24 hours prior	Precipitation during application	Precipitation 24 hours following
07/21/2023	Surface (irrigation)	No precipitation	No precipitation	No precipitation

Source description	Material type	N (lbs/acre)	P (lbs/acre)	K (lbs/acre)	Salt (lbs/acre)	Amount
Canal OID	Surface water	0.88	0.00	0.00	45.56	4,410,000.00 *gal*
Application event totals		0.88	0.00	0.00	45.56	

Field P2 - 01/01/2023: Pasture

Application date	Application method	Precipitation 24 hours prior	Precipitation during application	Precipitation 24 hours following
08/04/2023	Surface (irrigation)	No precipitation	No precipitation	No precipitation

Source description	Material type	N (lbs/acre)	P (lbs/acre)	K (lbs/acre)	Salt (lbs/acre)	Amount
Canal OID	Surface water	0.86	0.00	0.00	44.48	4,305,000.00 *gal*
Application event totals		0.86	0.00	0.00	44.48	

Application date	Application method	Precipitation 24 hours prior	Precipitation during application	Precipitation 24 hours following
08/18/2023	Surface (irrigation)	No precipitation	No precipitation	No precipitation

Source description	Material type	N (lbs/acre)	P (lbs/acre)	K (lbs/acre)	Salt (lbs/acre)	Amount
Canal OID	Surface water	0.86	0.00	0.00	44.48	4,305,000.00 *gal*
Application event totals		0.86	0.00	0.00	44.48	

Application date	Application method	Precipitation 24 hours prior	Precipitation during application	Precipitation 24 hours following
08/31/2023	Surface (irrigation)	No precipitation	No precipitation	No precipitation

Source description	Material type	N (lbs/acre)	P (lbs/acre)	K (lbs/acre)	Salt (lbs/acre)	Amount
Canal OID	Surface water	0.84	0.00	0.00	43.39	4,200,000.00 *gal*
Application event totals		0.84	0.00	0.00	43.39	

Application date	Application method	Precipitation 24 hours prior	Precipitation during application	Precipitation 24 hours following
09/15/2023	Surface (irrigation)	No precipitation	No precipitation	No precipitation

Source description	Material type	N (lbs/acre)	P (lbs/acre)	K (lbs/acre)	Salt (lbs/acre)	Amount
Canal OID	Surface water	0.80	0.00	0.00	41.22	3,990,000.00 *gal*
Application event totals		0.80	0.00	0.00	41.22	

Application date	Application method	Precipitation 24 hours prior	Precipitation during application	Precipitation 24 hours following
10/01/2023	Surface (irrigation)	No precipitation	No precipitation	No precipitation

Source description	Material type	N (lbs/acre)	P (lbs/acre)	K (lbs/acre)	Salt (lbs/acre)	Amount
Canal OID	Surface water	0.80	0.00	0.00	41.22	3,990,000.00 *gal*
Application event totals		0.80	0.00	0.00	41.22	

Application date	Application method	Precipitation 24 hours prior	Precipitation during application	Precipitation 24 hours following
10/16/2023	Sidedress	No precipitation	No precipitation	No precipitation

Source description	Material type	N (lbs/acre)	P (lbs/acre)	K (lbs/acre)	Salt (lbs/acre)	Amount
WWS	Process wastewater	13.73	5.08	49.04	196.18	2,244,000.00 *gal*
Application event totals		13.73	5.08	49.04	196.18	

Field P3 - 01/01/2023: Pasture

Field P3 - 01/01/2023: Pasture

Field name: Field P3

Crop: Pasture

Plant date: 01/01/2023

Application date	Application method	Precipitation 24 hours prior	Precipitation during application	Precipitation 24 hours following
04/18/2023	Broadcast/incorporate	No precipitation	No precipitation	No precipitation

Source description	Material type	N (lbs/acre)	P (lbs/acre)	K (lbs/acre)	Salt (lbs/acre)	Amount
Solid Manure	Corral solids	234.66	62.82	237.81	4,545.82	250.00 *ton*
Application event totals		234.66	62.82	237.81	4,545.82	

Application date	Application method	Precipitation 24 hours prior	Precipitation during application	Precipitation 24 hours following
04/23/2023	Surface (irrigation)	No precipitation	No precipitation	No precipitation

Source description	Material type	N (lbs/acre)	P (lbs/acre)	K (lbs/acre)	Salt (lbs/acre)	Amount
Canal OID	Surface water	0.84	0.00	0.00	43.49	2,205,000.00 *gal*
Application event totals		0.84	0.00	0.00	43.49	

Application date	Application method	Precipitation 24 hours prior	Precipitation during application	Precipitation 24 hours following
05/14/2023	Surface (irrigation)	No precipitation	No precipitation	No precipitation

Source description	Material type	N (lbs/acre)	P (lbs/acre)	K (lbs/acre)	Salt (lbs/acre)	Amount
Canal OID	Surface water	0.80	0.00	0.00	41.42	2,100,000.00 *gal*
Application event totals		0.80	0.00	0.00	41.42	

Application date	Application method	Precipitation 24 hours prior	Precipitation during application	Precipitation 24 hours following
05/28/2023	Surface (irrigation)	No precipitation	No precipitation	No precipitation

Source description	Material type	N (lbs/acre)	P (lbs/acre)	K (lbs/acre)	Salt (lbs/acre)	Amount
Canal OID	Surface water	0.84	0.00	0.00	43.49	2,205,000.00 *gal*
Application event totals		0.84	0.00	0.00	43.49	

Application date	Application method	Precipitation 24 hours prior	Precipitation during application	Precipitation 24 hours following
06/11/2023	Surface (irrigation)	No precipitation	No precipitation	No precipitation

Source description	Material type	N (lbs/acre)	P (lbs/acre)	K (lbs/acre)	Salt (lbs/acre)	Amount
Canal OID	Surface water	0.84	0.00	0.00	43.49	2,205,000.00 *gal*
Application event totals		0.84	0.00	0.00	43.49	

Application date	Application method	Precipitation 24 hours prior	Precipitation during application	Precipitation 24 hours following
06/25/2023	Surface (irrigation)	No precipitation	No precipitation	No precipitation

Source description	Material type	N (lbs/acre)	P (lbs/acre)	K (lbs/acre)	Salt (lbs/acre)	Amount
Canal OID	Surface water	0.88	0.00	0.00	45.56	2,310,000.00 *gal*
Application event totals		0.88	0.00	0.00	45.56	

Field P3 - 01/01/2023: Pasture

Application date	Application method	Precipitation 24 hours prior	Precipitation during application	Precipitation 24 hours following
07/09/2023	Surface (irrigation)	No precipitation	No precipitation	No precipitation

Source description	Material type	N (lbs/acre)	P (lbs/acre)	K (lbs/acre)	Salt (lbs/acre)	Amount
Canal OID	Surface water	0.88	0.00	0.00	45.56	2,310,000.00 *gal*
Application event totals		0.88	0.00	0.00	45.56	

Application date	Application method	Precipitation 24 hours prior	Precipitation during application	Precipitation 24 hours following
07/23/2023	Surface (irrigation)	No precipitation	No precipitation	No precipitation

Source description	Material type	N (lbs/acre)	P (lbs/acre)	K (lbs/acre)	Salt (lbs/acre)	Amount
Canal OID	Surface water	0.88	0.00	0.00	45.56	2,310,000.00 *gal*
Application event totals		0.88	0.00	0.00	45.56	

Application date	Application method	Precipitation 24 hours prior	Precipitation during application	Precipitation 24 hours following
08/06/2023	Surface (irrigation)	No precipitation	No precipitation	No precipitation

Source description	Material type	N (lbs/acre)	P (lbs/acre)	K (lbs/acre)	Salt (lbs/acre)	Amount
Canal OID	Surface water	0.88	0.00	0.00	45.56	2,310,000.00 *gal*
Application event totals		0.88	0.00	0.00	45.56	

Application date	Application method	Precipitation 24 hours prior	Precipitation during application	Precipitation 24 hours following
08/20/2023	Surface (irrigation)	No precipitation	No precipitation	No precipitation

Source description	Material type	N (lbs/acre)	P (lbs/acre)	K (lbs/acre)	Salt (lbs/acre)	Amount
Canal OID	Surface water	0.84	0.00	0.00	43.49	2,205,000.00 *gal*
Application event totals		0.84	0.00	0.00	43.49	

Application date	Application method	Precipitation 24 hours prior	Precipitation during application	Precipitation 24 hours following
09/02/2023	Surface (irrigation)	No precipitation	No precipitation	No precipitation

Source description	Material type	N (lbs/acre)	P (lbs/acre)	K (lbs/acre)	Salt (lbs/acre)	Amount
Canal OID	Surface water	0.84	0.00	0.00	43.49	2,205,000.00 *gal*
Application event totals		0.84	0.00	0.00	43.49	

Application date	Application method	Precipitation 24 hours prior	Precipitation during application	Precipitation 24 hours following
09/17/2023	Surface (irrigation)	No precipitation	No precipitation	No precipitation

Source description	Material type	N (lbs/acre)	P (lbs/acre)	K (lbs/acre)	Salt (lbs/acre)	Amount
Canal OID	Surface water	0.80	0.00	0.00	41.42	2,100,000.00 *gal*
Application event totals		0.80	0.00	0.00	41.42	

Field P3 - 01/01/2023: Pasture

Application date	Application method	Precipitation 24 hours prior	Precipitation during application	Precipitation 24 hours following
10/03/2023	Surface (irrigation)	No precipitation	No precipitation	No precipitation

Source description	Material type	N (lbs/acre)	P (lbs/acre)	K (lbs/acre)	Salt (lbs/acre)	Amount
Canal OID	Surface water	0.80	0.00	0.00	41.42	2,100,000.00 *gal*
Application event totals		0.80	0.00	0.00	41.42	

B. NUTRIENT BUDGET

Field P1 - 01/01/2023: Pasture

Field name: Field P1 Crop: Pasture Plant date: 01/01/2023

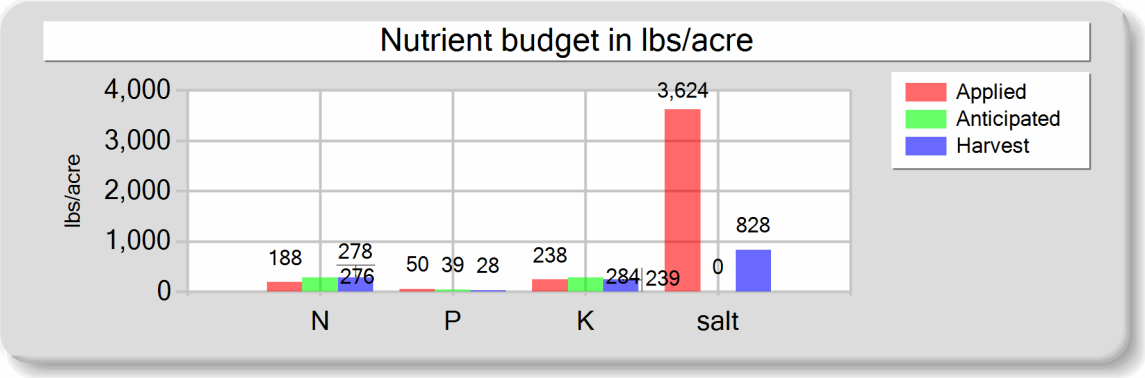

	Total N (lbs/acre)	Total P (lbs/acre)	Total K (lbs/acre)	Total salt (lbs/acre)
Existing soil nutrient content	0.00	0.00	0.00	0.00
Plowdown credit	0.00	0.00	0.00	0.00
Commercial fertilizer / Other	0.00	0.00	0.00	0.00
Dry manure	148.68	39.80	150.68	2,880.23
Process wastewater	15.45	9.77	87.37	248.51
Fresh water	9.63	0.00	0.00	495.73
Atmospheric deposition	14.00	0.00	0.00	0.00
Total nutrients applied	187.76	49.58	238.05	3,624.47
Anticipated crop nutrient removal	276.00	39.00	283.50	0.00
Actual crop nutrient removal	277.80	28.20	239.40	828.00
Nutrient balance	-90.04	21.38	-1.35	2,796.47
Applied to removed ratio	0.68	1.76	0.99	4.38

Fresh water applied	
28,560,000.00	*gallons*
1,051.77	*acre-inches*
42.07	*inches/acre*

Process wastewater applied	
2,673,000.00	*gallons*
98.44	*acre-inches*
3.94	*inches/acre*

Total harvests for the crop	
1	*harvests*

Field P2 - 01/01/2023: Pasture

Field name: Field P2 Crop: Pasture Plant date: 01/01/2023

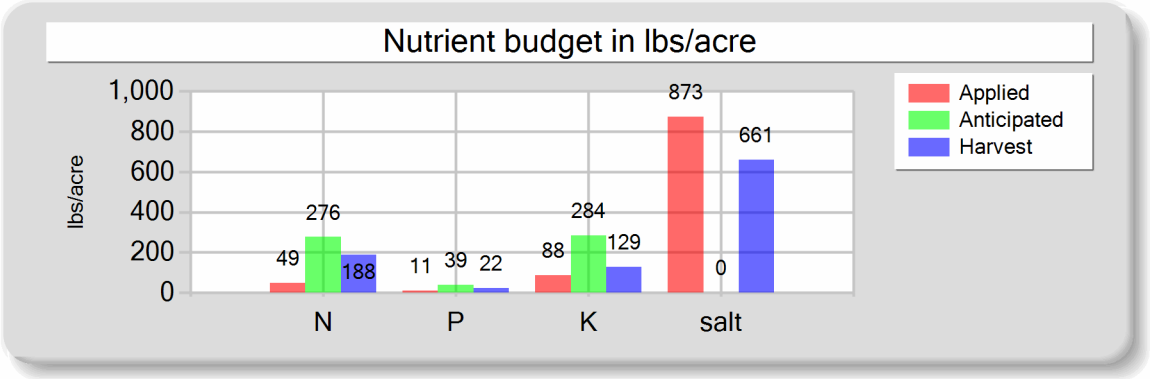

	Total N (lbs/acre)	Total P (lbs/acre)	Total K (lbs/acre)	Total salt (lbs/acre)
Existing soil nutrient content	0.00	0.00	0.00	0.00
Plowdown credit	0.00	0.00	0.00	0.00
Commercial fertilizer / Other	0.00	0.00	0.00	0.00
Dry manure	0.00	0.00	0.00	0.00
Process wastewater	25.24	10.90	87.52	372.43
Fresh water	9.71	0.00	0.00	500.12
Atmospheric deposition	14.00	0.00	0.00	0.00
Total nutrients applied	48.96	10.90	87.52	872.54
Anticipated crop nutrient removal	276.00	39.00	283.50	0.00
Actual crop nutrient removal	187.50	21.60	128.70	660.60
Nutrient balance	-138.54	-10.70	-41.18	211.94
Applied to removed ratio	0.26	0.50	0.68	1.32

Fresh water applied	
48,405,000.00	*gallons*
1,782.59	*acre-inches*
42.44	*inches/acre*

Process wastewater applied	
5,973,000.00	*gallons*
219.97	*acre-inches*
5.24	*inches/acre*

Total harvests for the crop	
1	*harvests*

Field P3 - 01/01/2023: Pasture

Field name: Field P3 Crop: Pasture Plant date: 01/01/2023

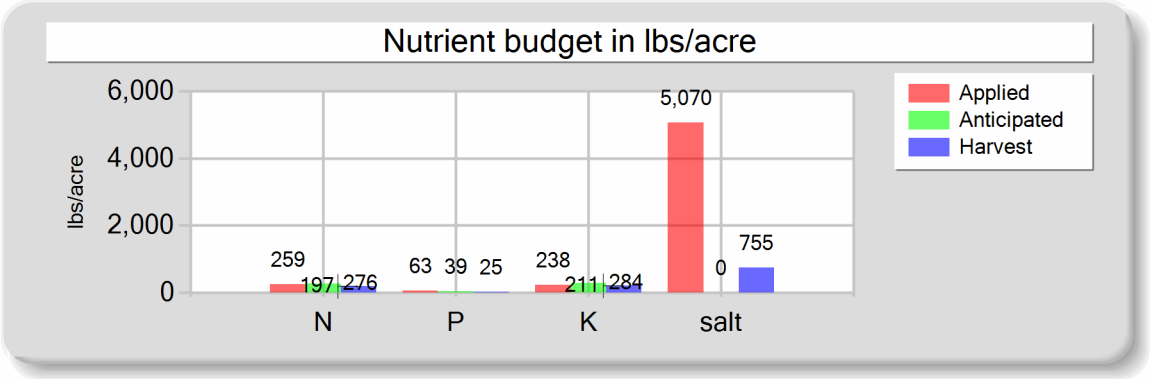

	Total N (lbs/acre)	Total P (lbs/acre)	Total K (lbs/acre)	Total salt (lbs/acre)
Existing soil nutrient content	0.00	0.00	0.00	0.00
Plowdown credit	0.00	0.00	0.00	0.00
Commercial fertilizer / Other	0.00	0.00	0.00	0.00
Dry manure	234.66	62.82	237.81	4,545.82
Process wastewater	0.00	0.00	0.00	0.00
Fresh water	10.18	0.00	0.00	523.98
Atmospheric deposition	14.00	0.00	0.00	0.00
Total nutrients applied	258.83	62.82	237.81	5,069.80
Anticipated crop nutrient removal	276.00	39.00	283.50	0.00
Actual crop nutrient removal	197.40	25.20	211.20	755.10
Nutrient balance	61.43	37.62	26.61	4,314.70
Applied to removed ratio	1.31	2.49	1.13	6.71

Fresh water applied	
26,565,000.00	*gallons*
978.30	*acre-inches*
44.47	*inches/acre*

Process wastewater applied	
0.00	*gallons*
0.00	*acre-inches*
0.00	*inches/acre*

Total harvests for the crop	
1	*harvests*

NUTRIENT ANALYSES

A. MANURE ANALYSES

Corral Solids

Sample and source description: Corral Solids

Sample date: 04/19/2023 Material type: Corral solids Source of analysis: Lab analysis Method of reporting: Dry-weight

Moisture: 53.7 %

	Total N (mg/kg)	Total P (mg/kg)	Total K (mg/kg)	Calcium (mg/kg)	Magnesium (mg/kg)	Sodium (mg/kg)	Sulfur (mg/kg)	Chloride (mg/kg)	Total salt (mg/kg)	TFS (%)
Value	22,300.00	5,970.00	22,600.00	21,700.00	8,410.00	3,770.00	3,600.00	1,460.00		43.20
DL	100.00	100.00	100.00	100.00	100.00	100.00	100.00	50.00		0.01

Corral Solids

Sample and source description: Corral Solids

Sample date: 10/11/2023 Material type: Corral solids Source of analysis: Lab analysis Method of reporting: Dry-weight

Moisture: 26.1 %

	Total N (mg/kg)	Total P (mg/kg)	Total K (mg/kg)	Calcium (mg/kg)	Magnesium (mg/kg)	Sodium (mg/kg)	Sulfur (mg/kg)	Chloride (mg/kg)	Total salt (mg/kg)	TFS (%)
Value	25,500.00	4,900.00	19,100.00							37.40
DL	100.00	100.00	100.00							0.01

B. PROCESS WASTEWATER ANALYSES

WWQ1

Sample and source description: WWQ1

Sample date: 02/23/2023 Material type: Process wastewater Source of analysis: Lab analysis pH: 0.00

	Kjeldahl-N (mg/L)	NH4-N (mg/L)	NH3-N (mg/L)	Nitrate-N (mg/L)	Total P (mg/L)	Total K (mg/L)	Calcium (mg/L)	Magnes. (mg/L)	Sodium (mg/L)	Bicarb. (mg/L)	Carb. (mg/L)	Sulfate (mg/L)	Chloride (mg/L)	EC (µmhos/cm)	TDS (mg/L)
Value	25.20	8.40	0.00	0.00	13.20	80.00	22.60	10.00	19.60	220.00	0.00	75.80	46.70	7,380.00	560
DL	0.50	0.50	0.50	0.50	0.50	0.50	0.50	0.50	0.50	0.50	2.00	1.00	0.10	1.00	10

WWQ2

Sample and source description: WWQ2

Sample date: 04/12/2023 Material type: Process wastewater Source of analysis: Lab analysis pH: 0.00

	Kjeldahl-N (mg/L)	NH4-N (mg/L)	NH3-N (mg/L)	Nitrate-N (mg/L)	Total P (mg/L)	Total K (mg/L)	Calcium (mg/L)	Magnes. (mg/L)	Sodium (mg/L)	Bicarb. (mg/L)	Carb. (mg/L)	Sulfate (mg/L)	Chloride (mg/L)	EC (µmhos/cm)	TDS (mg/L)
Value	25.20	11.20	0.00	0.00	22.20	254.00								798.00	480
DL	0.50	0.50	0.50	0.50	0.50	0.50								1.00	10

WWQ3

Sample and source description: WWQ3

Sample date: 07/27/2023 Material type: Process wastewater Source of analysis: Lab analysis pH: 0.00

	Kjeldahl-N (mg/L)	NH4-N (mg/L)	NH3-N (mg/L)	Nitrate-N (mg/L)	Total P (mg/L)	Total K (mg/L)	Calcium (mg/L)	Magnes. (mg/L)	Sodium (mg/L)	Bicarb. (mg/L)	Carb. (mg/L)	Sulfate (mg/L)	Chloride (mg/L)	EC (µmhos/cm)	TDS (mg/L)
Value	8.40	5.60	0.00	0.00	3.91	31.20								224.00	0
DL	0.50	0.50	0.50	0.50	0.50	0.50								1.00	10

WWQ4

Sample and source description: WWQ4

Sample date: 11/01/2023 Material type: Process wastewater Source of analysis: Lab analysis pH: 0.00

	Kjeldahl-N (mg/L)	NH4-N (mg/L)	NH3-N (mg/L)	Nitrate-N (mg/L)	Total P (mg/L)	Total K (mg/L)	Calcium (mg/L)	Magnes. (mg/L)	Sodium (mg/L)	Bicarb. (mg/L)	Carb. (mg/L)	Sulfate (mg/L)	Chloride (mg/L)	EC (µmhos/cm)	TDS (mg/L)
Value	30.80	8.40	0.00	0.00	11.40	110.00								602.00	440
DL	0.50	0.50	0.50	0.50	0.50	0.50								1.00	10

C. FRESH WATER ANALYSES

Canal OID

Canal OID

Canal OID

Sample description: Canal OID

Sample date: 08/17/2023 Source of analysis: Lab analysis

	Total N (mg/L)	NH4-N (mg/L)	Nitrate-N (mg/L)	Calcium (mg/L)	Magnesium (mg/L)	Sodium (mg/L)	Bicarbonate (mg/L)	Carbonate (mg/L)	Sulfate (mg/L)	Chloride (mg/L)	EC (µmhos/cm)	TDS (mg/L)
Value	1.01	0.00	0.00								70.90	52
DL	1.00	0.50	0.50								10.00	10

D. SOIL ANALYSES

Field P1

Soil

Sample and source description: Soil

Sample date: 10/18/2023 Source of analysis: Lab analysis

	Nitrate-N (mg/kg)	Total P (mg/kg)	Soluble P (mg/kg)	K (mg/kg)	EC (µmhos/cm)	Organic matter (%)	Total salt (mg/kg)
Value			112.00				
DL			4.00				

Field P2

Soil

Sample and source description: Soil

Sample date: 10/18/2023 Source of analysis: Lab analysis

	Nitrate-N (mg/kg)	Total P (mg/kg)	Soluble P (mg/kg)	K (mg/kg)	EC (µmhos/cm)	Organic matter (%)	Total salt (mg/kg)
Value			123.00				
DL			4.00				

Field P3

Field P3

Soil

Sample and source description: Soil

Sample date: 10/18/2023 Source of analysis: Lab analysis

	Nitrate-N (mg/kg)	Total P (mg/kg)	Soluble P (mg/kg)	K (mg/kg)	EC (µmhos/cm)	Organic matter (%)	Total salt (mg/kg)
Value			58.00				
DL			4.00				

E. PLANT TISSUE ANALYSES

Field P1 - 01/01/2023: Pasture

Pasture

Sample and source description: Pasture

Sample date: 04/26/2023 Source of analysis: Lab analysis Method of reporting: As-is

Moisture: 70.0 %

	Total N (mg/kg)	Total P (mg/kg)	Total K (mg/kg)	Total salt (mg/kg)	TFS (%)
Value	9,260.00	940.00	7,980.00		9.20
DL	100.00	100.00	100.00		0.01

Field P2 - 01/01/2023: Pasture

Pasture

Sample and source description: Pasture

Sample date: 04/26/2023 Source of analysis: Lab analysis Method of reporting: As-is

Moisture: 70.0 %

	Total N (mg/kg)	Total P (mg/kg)	Total K (mg/kg)	Total salt (mg/kg)	TFS (%)
Value	6,250.00	720.00	4,290.00		7.34
DL	100.00	100.00	100.00		0.01

Field P3 - 01/01/2023: Pasture

Pasture

Sample and source description: Pasture

Sample date: 04/26/2023 Source of analysis: Lab analysis Method of reporting: As-is

Moisture: 70.0 %

	Total N (mg/kg)	Total P (mg/kg)	Total K (mg/kg)	Total salt (mg/kg)	TFS (%)
Value	6,580.00	840.00	7,040.00		8.39
DL	100.00	100.00	100.00		0.01

F. SUBSURFACE (TILE) DRAINAGE ANALYSES

No subsurface (tile) drainage analyses entered.

NUTRIENT APPLICATIONS, POTENTIAL REMOVAL, AND BALANCE

A. SUMMARY OF NUTRIENT APPLICATIONS, POTENTIAL REMOVAL, AND BALANCE

	Total N (lbs)	Total P (lbs)	Total K (lbs)	Total salt (lbs)
Existing soil nutrient content	0.00	0.00	0.00	0.00
Plowdown credit	0.00	0.00	0.00	0.00
Commercial fertilizer / Other	0.00	0.00	0.00	0.00
Dry manure	8,879.41	2,377.13	8,998.87	172,013.76
Process wastewater	1,446.54	702.27	5,860.08	21,854.55
Fresh water	872.60	0.00	0.00	44,925.81
Atmospheric deposition	1,246.00	0.00	0.00	0.00
Total nutrients applied	12,444.55	3,079.40	14,858.95	238,794.12
Anticipated crop nutrient removal	24,564.00	3,471.00	25,231.50	0.00
Actual crop nutrient removal	19,162.80	2,166.60	16,036.80	65,057.40
Nutrient balance	-6,718.25	912.80	-1,177.85	173,736.72
Applied to removed ratio	0.65	1.42	0.93	3.67

B. POUNDS OF NUTRIENT APPLIED VS. CROP REMOVAL

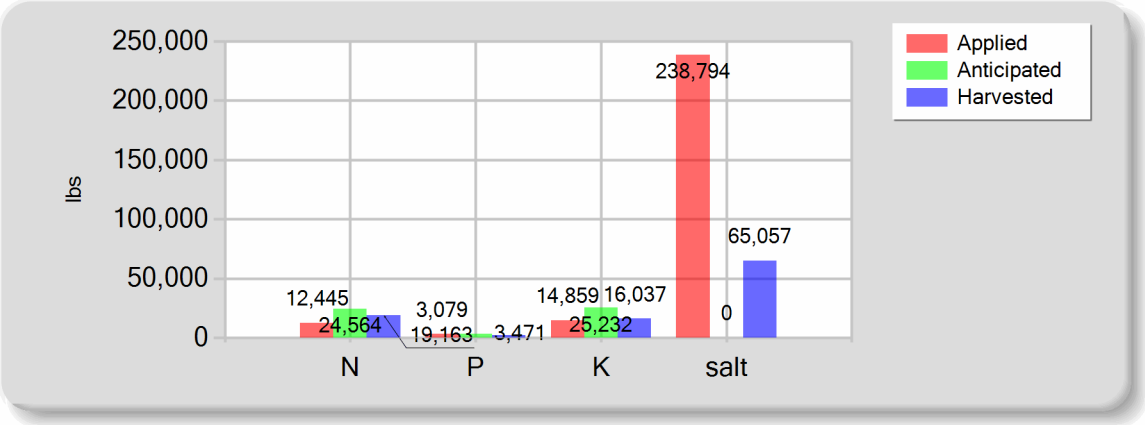

C. POUNDS OF NUTRIENT APPLIED BY MATERIAL TYPE

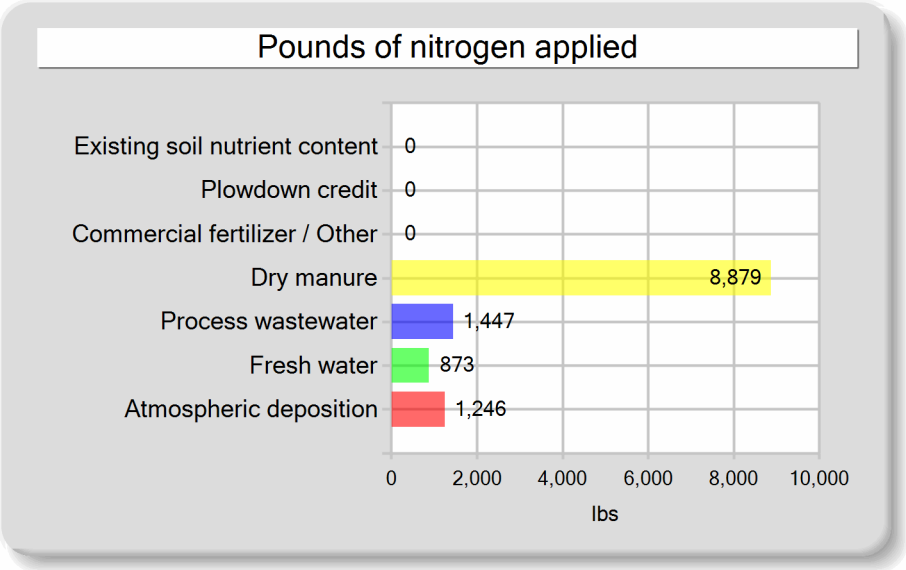

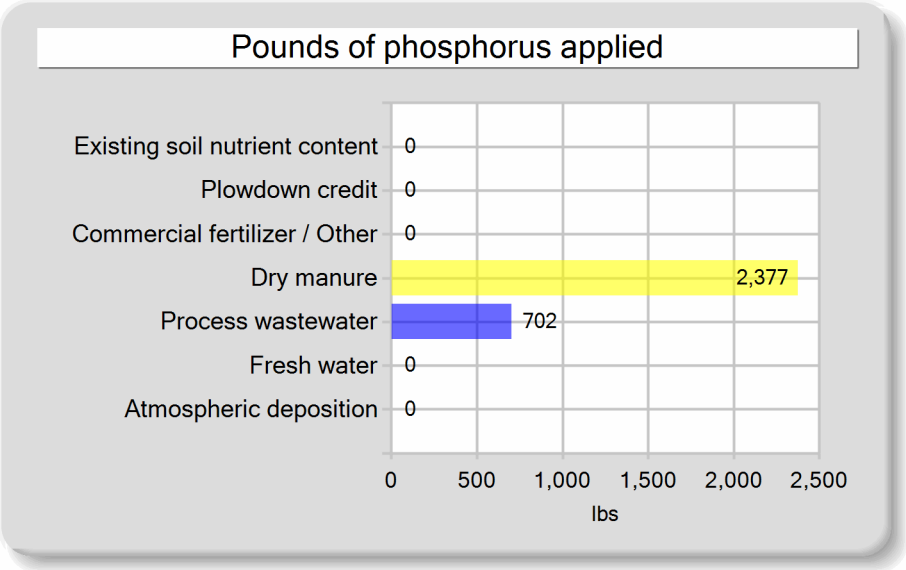

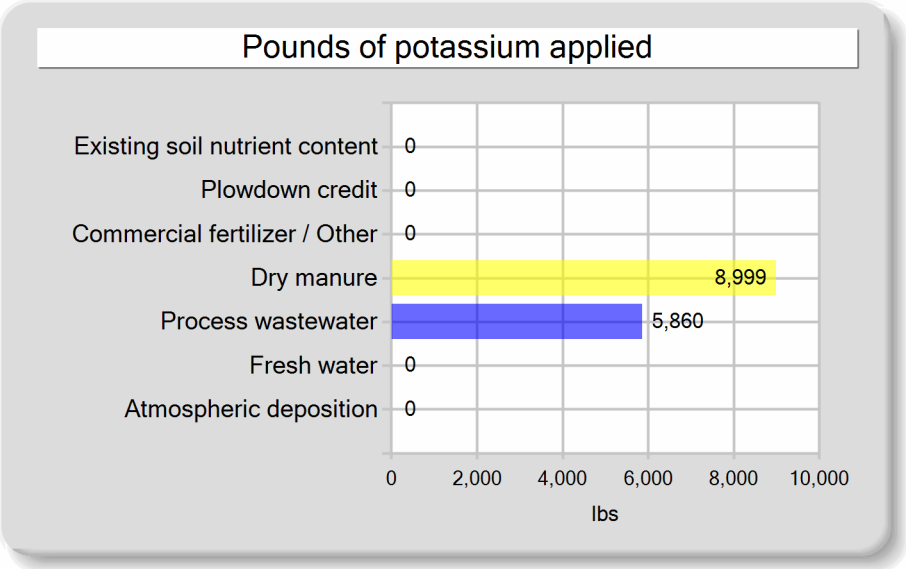

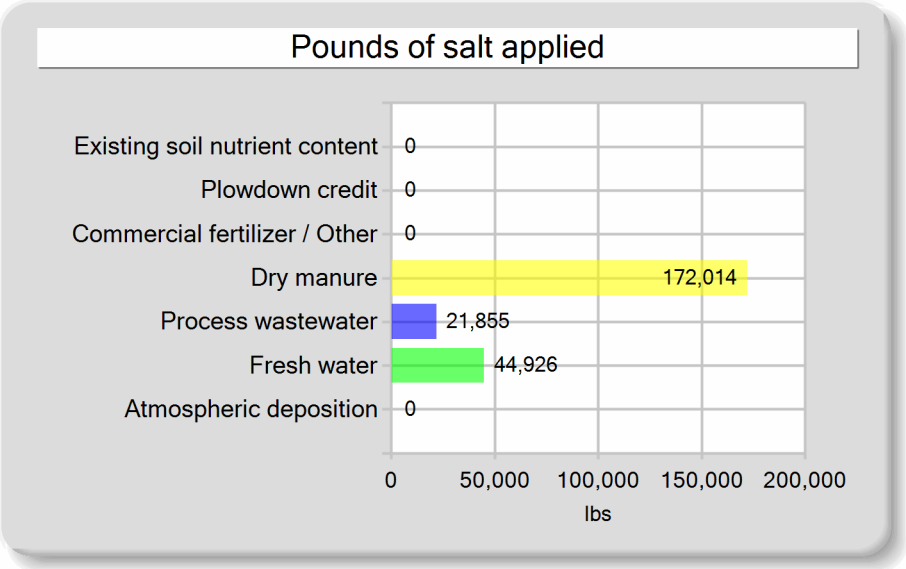

EXCEPTION REPORTING

A. MANURE, PROCESS WASTEWATER, AND OTHER DAIRY WASTE DISCHARGES

The following is a summary of all manure and process wastewater discharges from the production area to surface water or to land areas (land application areas or otherwise) when not in accordance with the facility's Nutrient Management Plan.

No manure or process wastewater discharges occurred during the reporting period.

B. STORM WATER DISCHARGES

The following is a summary of all storm water discharges from the production area to surface water during the reporting period when not in accordance with the facility 's Nutrient Management Plan.

No stormwater discharges occurred during the reporting period.

C. LAND APPLICATION AREA TO SURFACE WATER DISCHARGES

The following is a summary of all discharges from the land application area to surface water that have occurred during the reporting period when not in accordance with the facility's Nutrient Management Plan.

No land application area to surface water discharges occurred during the reporting period.

NUTRIENT MANAGEMENT PLAN AND EXPORT AGREEMENT STATEMENTS

A. NUTRIENT MANAGEMENT PLAN STATEMENTS

Was the facility's NMP updated in the reporting period?	Yes
Was the facility's NMP developed by a certified nutrient management planner (specialist) as specified in Attachment C of the General Order?	Yes
Was the facility's NMP approved by a certified nutrient management planner (specialist) as specified in Attachment C of the General Order?	Yes

B. EXPORT AGREEMENT STATEMENT

Are there any written agreements with third parties to receive manure or process wastewater that are new or were revised within the reporting period?	No

ADDITIONAL NOTES

A. NOTES

No notes entered for this annual report.

CERTIFICATION

A. OWNER AND/OR OPERATOR CERTIFICATION

I certify under penalty of law that I have personally examined and am familiar with the information submitted in this document and all attachments and that, based on my inquiry of those individuals immediately responsible for obtaining the information, I believe that the information is true, accurate, and complete. I am aware that there are significant penalties for submitting false information, including the possibility of fine and imprisonment.

D[illegible] (May 15, 2024 15:09 PDT)	
SIGNATURE OF OWNER OF FACILITY	SIGNATURE OF OPERATOR OF FACILITY
TKC Partners LLC	SAME AS OWNER
PRINT OR TYPE NAME	PRINT OR TYPE NAME
May 15, 2024	
DATE	DATE

ATTACHMENTS

A. REQUIRED ATTACHMENTS

The following lists the required documents that should be attached to the Annual Report when submitted .

Annual Dairy Facility Assessment
Provide an Annual Dairy Facility Assessment (an update to the Preliminary Dairy Facility Assessment in Attachment A) for each reporting period. On the PDFA Final page, click on the ADFA Report button to generate an ADFA report after updating information as needed .

Manure/Process Wastewater Tracking Manifests
Provide copies of all manure/process wastewater tracking manifests for the reporting period, signed by both the owner/operator and the hauler.

Corrective Actions Documents
Provide records documenting any corrective actions taken to correct deficiencies noted as a result of the inspections required in the Monitoring Requirements of the General Order. Deficiencies not corrected in 30 days must be accompanied by an explanation of the factors preventing immediate correction.

Groundwater Monitoring
Dischargers that monitor supply wells or subsurface (tile) drainage systems, or that have monitoring well systems must submit monitoring results as directed in the General Order, Groundwater Reporting Section starting on page MRP-13.

Storm Water Monitoring
Dischargers that are required to monitor storm water more frequently than required in the General Order must submit monitoring results as directed in the General Order, Storm Water Reporting Section on page MRP-14.

DENELE ANALYTICAL, INC.

865 S. KILROY
TURLOCK, CA 95380

PH# 209-634-9055 FAX# 209-634-9057

DAIRY COMPLIANCE

Client: Sierra Ranches
Mailing address:
(not facility address)
Phone#:

Authorized Copy Released To: F&R Ag Services
Sampled By: Jeanette
Project ID:

ANALYSIS TO BE COMPLETED:

IRRIGATION/GROUND WATER
- H1 EC*, NO3-N, NH4-N*
- H6 EC, TN, TDS
- H7 Combination of H1 & H6
- H14 EC, NO3-N, NH4-N, Ca, Mg, Na, Bicarb Carb, SO4, Cl, TDS

PROCESS WASTE WATER
- H3 EC*, NH4-N, TKN, TP, K, TDS
- H4 EC*, NO3-N, NH4-N, TKN, TP, K, TDS
- H5 Ca, Mg, Na, Bicarb, Carb, SO4, Cl
- H8 Combination of H3 &H5
- H9 Combination of H4 &H5

TILE DRAIN
- H2 EC*, NO3-N, TP, NH4-N*, TDS

** Required Field Measurement*

___ (Check here if performed)

DISCHARGE WATER
- E1 EC*, Temp*, pH*, NO3-N, NH4-N, TKN, TP, K, TDS, Dissolved Oxygen*, BOD 5, TSS, Total & Fecal Coliforms
- E2 EC,* Temp*, pH*, NO3-N, NH4-N*, Turbidity, TP, Dissolved Oxygen*, Total & Fecal Coliforms
- E3 EC*, Temp*, pH*, NO3-N, NH4-N*, TP, Total & Fecal Coliforms
- E4 EC*, Temp*, pH*, NO3-N, NH4-N*, Turbidity, TP, Total & Fecal Coliform

MANURE
- M1 % Moisture
- M3 TN TP, K, % Moisture
- M4 Ca, Mg, Na, Bicarb, Carb, SO4, Cl, Ash
- M7 Combination of M3 & M4

PLANT TISSUE
- F18 % Moisture, Ash, TN, P, K, DM and as received
- F18+ % Moisture, Ash, TN, P, K, DM and as received (Package also includes NIR DCAD)
- F19+ % Moisture, TN (Package includes complete plant tissue analysis)

SOIL
- K3 Soluble Phosphorus
- K4 1ft NO3, Organic Matter
- K5 Pre-Plant (2ft NO3), Fall (1-2ft NO3), Fall (2-3ft NO3)
- K6 0-1ft EC, NO3, Soluble P, K, Organic Matter
- K7 Combination of K3 & K4
- K8 Combination of K3 & K5

	Date Collected	Time Collected	Sample ID	Description	Temp	Well Purge	Analysis: H1	H3	M3	F18	OTHER
1	8/25/23		Barn DW1	Domestic	20.2°		✓				
2	↓		House DW2	↓	19.8°		✓				
3											
4											
5											
6											
7											
8											
9											
10											

CHAIN OF CUSTODY RECORDING

	Signature	Company	Received Date & Time	Relinquished Date & Time	Logged In By:	LABORATORY NUMBER (LABORATORY USE ONLY)
1st	Jeanette Sawyer	F&R				T3237023
2nd		DENELE ANALYTICAL, INC.	8-25-23 11:30			

Required to be submitted to any agency? (YES / NO)

Denele Analytical, Inc.

865 South Kilroy Avenue Turlock, CA 95380
Phone (209) 634-9055 - Fax (209) 634-9057

40 N. East Street, Woodland, CA 95776
Phone (530) 666-9056 - Fax (530) 666-9058

www.denelelabs.com

Compliance Analysis Report

Customer
Sierra Ranches
P.O. Box 577980
Modesto, CA 95357

Grower

Consultant:
F & R Ag Services
2857 Geer Rd. Ste A
Turlock, CA 95382

PURCHASE ORDER:
RECEIVED DATE: 8/25/23 11:30 AM
SUBMITTED BY: Jeanette
ANALYZED DATE: 8/28/23

Irrigation/ Ground Water (H1)
SOURCE: Well Water

NOTES: Temperature was above qualifying at 20.2c

Sample ID	Lab ID	Analyte	Method Ref	Result	Units
Barn DW1	T3237023A	Electrical Conductivity (EC)	EPA 120.1 and	0.152	mmhos/cm
		Nitrate Nitrogen (NO3-N)	EPA 353.2	< 0.140	mg/L
		Ammonia Nitrogen (NH3-N)	SM 4500-NH3 D,C	< 0.500	mg/L
		Soluble Salts (SALT-SOL)	Calculation	97.4	mg/L

Laboratory Quality Control	LCS %	MS %	MSD %	RPD %
Ammonia Nitrogen (NH3-N)	98.6	98.2 (T3237014A)	95.8 (T3237014A)	2.47
Electrical Conductivity (EC)	96.3			3.35
Nitrate Nitrogen (NO3-N)	103	97.0 (T3237014A)	97.1 (T3237014A)	0.083

The warranty of Denele Analytical is limited to the accuracy of the analyses of the samples as received. Denele Analytical assumes no responsibility for which the customer uses our test results, nor liability for any other warranties, express or implied. These terms and conditions shall supercede any conflicting terms and conditions submitted on customer purchase orders or other forms submitted for work.

ELAP Certificate No.: 2714

Denele Analytical, Inc.

865 South Kilroy Avenue Turlock, CA 95380
Phone (209) 634-9055 - Fax (209) 634-9057

www.denelelabs.com

40 N. East Street, Woodland, CA 95776
Phone (530) 666-9056 - Fax (530) 666-9058

Compliance Analysis Report

Customer
Sierra Ranches
P.O. Box 577980
Modesto, CA 95357

Grower

Consultant:
F & R Ag Services
2857 Geer Rd. Ste A
Turlock, CA 95382

PURCHASE ORDER:
RECEIVED DATE: 8/25/23 11:30 AM
SUBMITTED BY: Jeanette
ANALYZED DATE: 8/28/23

Irrigation/ Ground Water (H1)
SOURCE: Well Water

NOTES: Temperature was above qualifying at 19.8c

Sample ID	Lab ID	Analyte	Method Ref	Result	Units
House DW2	T3237023B	Electrical Conductivity (EC)	EPA 120.1 and	0.155	mmhos/cm
		Nitrate Nitrogen (NO3-N)	EPA 353.2	0.515	mg/L
		Ammonia Nitrogen (NH3-N)	SM 4500-NH3 D,C	< 0.500	mg/L
		Soluble Salts (SALT-SOL)	Calculation	98.9	mg/L

Laboratory Quality Control	LCS %	MS %	MSD %	RPD %
Ammonia Nitrogen (NH3-N)	98.6	98.2 (T3237014A)	95.8 (T3237014A)	2.47
Electrical Conductivity (EC)	96.3			3.35
Nitrate Nitrogen (NO3-N)	103	97.0 (T3237014A)	97.1 (T3237014A)	0.083

The warranty of Denele Analytical is limited to the accuracy of the analyses of the samples as received. Denele Analytical assumes no responsibility for which the customer uses our test results, nor liability for any other warranties, express or implied. These terms and conditions shall supercede any conflicting terms and conditions submitted on customer purchase orders or other forms submitted for work.

ELAP Certificate No.: 2714

2023 Annual Report Sierra Ranches

Final Audit Report 2024-05-15

Created:	2024-05-14
By:	Vince Furtado (vfurtado@fragservices.com)
Status:	Signed
Transaction ID:	CBJCHBCAABAABdq2rRhlQpMC0W6eImwiEzA4zumeq6Zr

"2023 Annual Report Sierra Ranches" History

Document created by Vince Furtado (vfurtado@fragservices.com)
2024-05-14 - 5:15:37 PM GMT

Document emailed to Don Jarvis (don.w.jarvis@gmail.com) for signature
2024-05-14 - 5:16:29 PM GMT

Email viewed by Don Jarvis (don.w.jarvis@gmail.com)
2024-05-14 - 6:16:37 PM GMT

Document e-signed by Don Jarvis (don.w.jarvis@gmail.com)
Signature Date: 2024-05-15 - 10:09:02 PM GMT - Time Source: server

Agreement completed.
2024-05-15 - 10:09:02 PM GMT

Adobe Acrobat Sign