Annual Report - General Order No. R5-2007-0035
Reporting period 01/01/2023 to 12/31/2023.

DAIRY FACILITY INFORMATION

A. NAME OF DAIRY OR BUSINESS OPERATING THE DAIRY: Oak Creek Dairy (Formerly Hoogendam Dairy)

Physical address of dairy:

Number and Street	City	County	Zip Code
1650 Mcnamara RD	Merced	Merced	95340

Street and nearest cross street (if no address):

Date facility was originally placed in operation: 10/01/2000

Regional Water Quality Control Board Basin Plan designation: San Joaquin River Basin

County Assessor Parcel Number(s) for dairy facility:

X066-X140-X034-XXXX X066-X150-X007-XXXX

B. OPERATORS

DeHoog, Cory

Operator name: DeHoog, Cory
Telephone no.: Landline: ; Cellular: (209) 626-9953

Mailing Address Number and Street	City	State	Zip Code
1650 McNamara RD	Merced	CA	95341

This operator is responsible for paying permit fees.

DeHoog, Joe

Operator name: DeHoog, Joe
Telephone no.: Landline: ; Cellular: (909) 815-7074

Mailing Address Number and Street	City	State	Zip Code
1650 McNamara RD	Merced	CA	95341

C. OWNERS

DeHoog, Joe

Legal owner name: DeHoog, Joe
Telephone no.: Landline: ; Cellular: (909) 815-7074

Mailing Address Number and Street	City	State	Zip Code
1650 McNamara RD	Merced	CA	95341

Annual Report - General Order No. R5-2007-0035
Reporting period 01/01/2023 to 12/31/2023.

AVAILABLE NUTRIENTS

A. HERD INFORMATION

	Milk Cows	Dry Cows	Bred Heifers (15-24 mo.)	Heifers (7-14 mo. to breeding)	Calves (4-6 mo.)	Calves (0-3 mo.)
Number open confinement	0	0	950	675	0	0
Number under roof	2,185	335	0	0	0	0
Maximum number	2,190	340	1,000	700	0	0
Average number	2,185	335	950	675	0	0
Avg live weight (lbs)	1,400	1,400	900	650		

Predominant milk cow breed: Holstein

Average milk production: 86 *pounds per cow per day*

B. MANURE GENERATED

Total manure excreted by the herd: 80,902.67 *tons per reporting period*

Total nitrogen from manure: 1,001,800.24 *lbs per reporting period*

After ammonia losses (30% loss applied): 701,260.17 *lbs per reporting period*

Total phosphorus from manure: 168,091.01 *lbs per reporting period*

Total potassium from manure: 441,416.38 *lbs per reporting period*

Total salt from manure: 1,105,840.50 *lbs per reporting period*

C. PROCESS WASTEWATER GENERATED

Process wastewater generated: 43,696,500 *gallons*

Total nitrogen generated: 202,228.57 *lbs*

Total phosphorus generated: 27,707.88 *lbs*

Total potassium generated: 213,050.85 *lbs*

Total salt generated: 1,385,726.30 *lbs*

	43,696,500	*gallons applied*
+	0	*gallons exported*
-	0	*gallons imported*
=	43,696,500	*gallons generated*

D. FRESH WATER SOURCES

Source Description	Type
Irrigation Wells	Ground water
IW 1	Ground water
IW 1 North	Ground water
IW 2	Ground water
IW 3	Ground water

Annual Report - General Order No. R5-2007-0035
Reporting period 01/01/2023 to 12/31/2023.

Source Description	Type
IW 4	Ground water
MID Canal	Surface water

E. SUBSURFACE (TILE) DRAINAGE SOURCES

No subsurface (tile) drainage sources entered.

F. NUTRIENT IMPORTS

No dry manure nutrient imports entered.

No process wastewater nutrient imports entered.

Date	Material type / Description	Quantity	Reporting basis	Moisture (%)	N (%)	P (%)	K (%)	Salt (%)
07/10/2023	Solid commercial fertilizer *Sol 30*	40.26 *ton*	As-is	0.1	30.500000	0.000000	0.000000	0.000000

Material type	Total N (lbs)	Total P (lbs)	Total K (lbs)	Total salt (lbs)
Commercial fertilizer / Other	24,558.60	0.00	0.00	0.00
Dry manure	0.00	0.00	0.00	0.00
Process wastewater	0.00	0.00	0.00	0.00
Total imports for all materials	24,558.60	0.00	0.00	0.00

G. NUTRIENT EXPORTS

No solid nutrient exports entered.

No liquid nutrient exports entered.

Annual Report - General Order No. R5-2007-0035
Reporting period 01/01/2023 to 12/31/2023.

APPLICATION AREA

A. LIST OF LAND APPLICATION AREAS

Field name	Controlled acres	Cropable acres	Total harvests	Type of waste applied	Parcel number
Field 1	78	78	2	both	X066-X150-X008-XXXX
Field 10	23	23	2	process wastewater	X066-X140-X039-XXXX
Field 11	52	52	2	process wastewater	X066-X140-X039-XXXX X066-X140-X040-XXXX
Field 2	72	72	2	process wastewater	X066-X140-X035-XXXX
Field 3	74	74	2	both	X066-X140-X037-XXXX X066-X140-X039-XXXX
Field 5	39	39	0	none	X066-X150-X007-XXXX X066-X150-X008-XXXX
Field 5b	13	13	0	none	X066-X150-X007-XXXX
Field 6	50	50	2	process wastewater	X066-X140-X039-XXXX
Field 7	14	14	2	process wastewater	X066-X140-X037-XXXX
Field 8	70	70	2	process wastewater	X066-X140-X035-XXXX X066-X140-X039-XXXX
Field 9	63	63	2	process wastewater	X066-X140-X035-XXXX
Field H2-1	89	89	2	manure	X066-X160-X016-XXXX
Field H2-2	92	92	2	manure	X066-X160-X015-XXXX
Field H2-3	93	93	2	manure	X066-X160-X015-XXXX
Field H2-4	95	95	2	manure	X066-X160-X015-XXXX
Totals for areas that were used for application	865	865	26		
Totals for areas that were not used for application	52	52	0		
Land application area totals	917	917	26		

B. CROPS AND HARVESTS

Field 1

Field name: Field 1

Annual Report - General Order No. R5-2007-0035
Reporting period 01/01/2023 to 12/31/2023.

Field 1

11/01/2022: Wheat, silage, soft dough

Crop: Wheat, silage, soft dough Acres planted: 78 Plant date: 11/01/2022

Harvest date	Yield	Reporting basis	Density (lbs/cu ft)	Moisture (%)	N (mg/kg)	P (mg/kg)	K (mg/kg)	Salt (mg/kg)	TFS (%)
04/27/2023	1,614.60 *ton*	As-is		57.3	7,900.00	900.00	5,100.00		8.20

	Yield (tons/acre)	Total N (lbs/acre)	Total P (lbs/acre)	Total K (lbs/acre)	Salt (lbs/acre)
Anticipated harvest content	18.00	198.00	30.60	149.40	0.00
Total actual harvest content	20.70	327.06	37.26	211.14	1,449.58

06/01/2023: Corn, silage

Crop: Corn, silage Acres planted: 78 Plant date: 06/01/2023

Harvest date	Yield	Reporting basis	Density (lbs/cu ft)	Moisture (%)	N (mg/kg)	P (mg/kg)	K (mg/kg)	Salt (mg/kg)	TFS (%)
09/23/2023	1,583.40 *ton*	As-is		58.8	4,900.00	900.00	6,200.00		5.70

	Yield (tons/acre)	Total N (lbs/acre)	Total P (lbs/acre)	Total K (lbs/acre)	Salt (lbs/acre)
Anticipated harvest content	27.50	220.00	41.25	181.50	0.00
Total actual harvest content	20.30	198.94	36.54	251.72	953.45

Field 10

Field name: Field 10

11/01/2022: Wheat, silage, soft dough

Crop: Wheat, silage, soft dough Acres planted: 23 Plant date: 11/01/2022

Harvest date	Yield	Reporting basis	Density (lbs/cu ft)	Moisture (%)	N (mg/kg)	P (mg/kg)	K (mg/kg)	Salt (mg/kg)	TFS (%)
05/20/2023	448.50 *ton*	As-is		62.1	5,600.00	100.00	7,400.00		11.50

	Yield (tons/acre)	Total N (lbs/acre)	Total P (lbs/acre)	Total K (lbs/acre)	Salt (lbs/acre)
Anticipated harvest content	18.00	198.00	30.60	149.40	0.00
Total actual harvest content	19.50	218.40	3.90	288.60	1,699.82

Annual Report - General Order No. R5-2007-0035
Reporting period 01/01/2023 to 12/31/2023.

Field 10

06/28/2023: Corn, silage

Crop: Corn, silage Acres planted: 23 Plant date: 06/28/2023

Harvest date	Yield	Reporting basis	Density (lbs/cu ft)	Moisture (%)	N (mg/kg)	P (mg/kg)	K (mg/kg)	Salt (mg/kg)	TFS (%)
10/17/2023	586.50 *ton*	As-is		62.3	4,400.00	1,100.00	4,900.00		5.00

	Yield (tons/acre)	Total N (lbs/acre)	Total P (lbs/acre)	Total K (lbs/acre)	Salt (lbs/acre)
Anticipated harvest content	27.50	220.00	41.25	181.50	0.00
Total actual harvest content	25.50	224.40	56.10	249.90	961.35

Field 11

Field name: Field 11

11/01/2022: Wheat, silage, soft dough

Crop: Wheat, silage, soft dough Acres planted: 52 Plant date: 11/01/2022

Harvest date	Yield	Reporting basis	Density (lbs/cu ft)	Moisture (%)	N (mg/kg)	P (mg/kg)	K (mg/kg)	Salt (mg/kg)	TFS (%)
05/15/2023	1,211.60 *ton*	As-is		65.6	5,500.00	900.00	5,400.00		10.60

	Yield (tons/acre)	Total N (lbs/acre)	Total P (lbs/acre)	Total K (lbs/acre)	Salt (lbs/acre)
Anticipated harvest content	18.00	198.00	30.60	149.40	0.00
Total actual harvest content	23.30	256.30	41.94	251.64	1,699.22

06/28/2023: Corn, silage

Crop: Corn, silage Acres planted: 52 Plant date: 06/28/2023

Harvest date	Yield	Reporting basis	Density (lbs/cu ft)	Moisture (%)	N (mg/kg)	P (mg/kg)	K (mg/kg)	Salt (mg/kg)	TFS (%)
10/18/2023	904.80 *ton*	As-is		68.8	3,800.00	900.00	3,900.00		5.70

	Yield (tons/acre)	Total N (lbs/acre)	Total P (lbs/acre)	Total K (lbs/acre)	Salt (lbs/acre)
Anticipated harvest content	27.50	220.00	41.25	181.50	0.00
Total actual harvest content	17.40	132.24	31.32	135.72	618.88

Annual Report - General Order No. R5-2007-0035
Reporting period 01/01/2023 to 12/31/2023.

Field 2

Field name: Field 2

11/01/2022: Wheat, silage, soft dough

Crop: Wheat, silage, soft dough Acres planted: 72 Plant date: 11/01/2022

Harvest date	Yield	Reporting basis	Density (lbs/cu ft)	Moisture (%)	N (mg/kg)	P (mg/kg)	K (mg/kg)	Salt (mg/kg)	TFS (%)
05/22/2023	2,059.20 *ton*	As-is		68.9	5,400.00	100.00	6,600.00		9.80

	Yield (tons/acre)	Total N (lbs/acre)	Total P (lbs/acre)	Total K (lbs/acre)	Salt (lbs/acre)
Anticipated harvest content	18.00	198.00	30.60	149.40	0.00
Total actual harvest content	28.60	308.88	5.72	377.52	1,743.34

07/05/2023: Corn, silage

Crop: Corn, silage Acres planted: 72 Plant date: 07/05/2023

Harvest date	Yield	Reporting basis	Density (lbs/cu ft)	Moisture (%)	N (mg/kg)	P (mg/kg)	K (mg/kg)	Salt (mg/kg)	TFS (%)
10/12/2023	1,245.60 *ton*	As-is		55.8	5,700.00	1,000.00	5,700.00		5.00

	Yield (tons/acre)	Total N (lbs/acre)	Total P (lbs/acre)	Total K (lbs/acre)	Salt (lbs/acre)
Anticipated harvest content	27.50	220.00	41.25	181.50	0.00
Total actual harvest content	17.30	197.22	34.60	197.22	764.66

Field 3

Field name: Field 3

11/01/2022: Wheat, silage, soft dough

Crop: Wheat, silage, soft dough Acres planted: 74 Plant date: 11/01/2022

Harvest date	Yield	Reporting basis	Density (lbs/cu ft)	Moisture (%)	N (mg/kg)	P (mg/kg)	K (mg/kg)	Salt (mg/kg)	TFS (%)
05/15/2023	1,258.00 *ton*	As-is		62.0	5,500.00	800.00	4,800.00		9.60

	Yield (tons/acre)	Total N (lbs/acre)	Total P (lbs/acre)	Total K (lbs/acre)	Salt (lbs/acre)
Anticipated harvest content	18.00	198.00	30.60	149.40	0.00
Total actual harvest content	17.00	187.00	27.20	163.20	1,240.32

Annual Report - General Order No. R5-2007-0035
Reporting period 01/01/2023 to 12/31/2023.

Field 3

06/27/2023: Corn, silage

Crop: Corn, silage Acres planted: 74 Plant date: 06/27/2023

Harvest date	Yield	Reporting basis	Density (lbs/cu ft)	Moisture (%)	N (mg/kg)	P (mg/kg)	K (mg/kg)	Salt (mg/kg)	TFS (%)
10/12/2023	2,175.60 *ton*	As-is		66.1	4,400.00	900.00	4,100.00		6.80

	Yield (tons/acre)	Total N (lbs/acre)	Total P (lbs/acre)	Total K (lbs/acre)	Salt (lbs/acre)
Anticipated harvest content	27.50	220.00	41.25	181.50	0.00
Total actual harvest content	29.40	258.72	52.92	241.08	1,355.46

Field 6

Field name: Field 6

11/01/2022: Wheat, silage, soft dough

Crop: Wheat, silage, soft dough Acres planted: 50 Plant date: 11/01/2022

Harvest date	Yield	Reporting basis	Density (lbs/cu ft)	Moisture (%)	N (mg/kg)	P (mg/kg)	K (mg/kg)	Salt (mg/kg)	TFS (%)
05/18/2023	1,020.00 *ton*	As-is		59.9	6,800.00	100.00	7,300.00		11.60

	Yield (tons/acre)	Total N (lbs/acre)	Total P (lbs/acre)	Total K (lbs/acre)	Salt (lbs/acre)
Anticipated harvest content	18.00	198.00	30.60	149.40	0.00
Total actual harvest content	20.40	277.44	4.08	297.84	1,897.85

06/28/2023: Corn, silage

Crop: Corn, silage Acres planted: 50 Plant date: 06/28/2023

Harvest date	Yield	Reporting basis	Density (lbs/cu ft)	Moisture (%)	N (mg/kg)	P (mg/kg)	K (mg/kg)	Salt (mg/kg)	TFS (%)
10/07/2023	1,380.00 *ton*	As-is		72.2	3,900.00	700.00	5,000.00		5.70

	Yield (tons/acre)	Total N (lbs/acre)	Total P (lbs/acre)	Total K (lbs/acre)	Salt (lbs/acre)
Anticipated harvest content	27.50	220.00	41.25	181.50	0.00
Total actual harvest content	27.60	215.28	38.64	276.00	874.70

Annual Report - General Order No. R5-2007-0035
Reporting period 01/01/2023 to 12/31/2023.

Field 7

Field name: Field 7

11/01/2022: Wheat, silage, soft dough

Crop: Wheat, silage, soft dough Acres planted: 14 Plant date: 11/01/2022

Harvest date	Yield	Reporting basis	Density (lbs/cu ft)	Moisture (%)	N (mg/kg)	P (mg/kg)	K (mg/kg)	Salt (mg/kg)	TFS (%)
05/15/2023	271.60 *ton*	As-is		63.3	5,600.00	700.00	4,600.00		9.80

	Yield (tons/acre)	Total N (lbs/acre)	Total P (lbs/acre)	Total K (lbs/acre)	Salt (lbs/acre)
Anticipated harvest content	18.00	198.00	30.60	149.40	0.00
Total actual harvest content	19.40	217.28	27.16	178.48	1,395.48

06/22/2023: Corn, silage

Crop: Corn, silage Acres planted: 14 Plant date: 06/22/2023

Harvest date	Yield	Reporting basis	Density (lbs/cu ft)	Moisture (%)	N (mg/kg)	P (mg/kg)	K (mg/kg)	Salt (mg/kg)	TFS (%)
10/18/2023	236.60 *ton*	As-is		60.9	5,200.00	1,300.00	3,600.00		4.90

	Yield (tons/acre)	Total N (lbs/acre)	Total P (lbs/acre)	Total K (lbs/acre)	Salt (lbs/acre)
Anticipated harvest content	27.50	220.00	41.25	181.50	0.00
Total actual harvest content	16.90	175.76	43.94	121.68	647.57

Field 8

Field name: Field 8

11/01/2022: Wheat, silage, soft dough

Crop: Wheat, silage, soft dough Acres planted: 70 Plant date: 11/01/2022

Harvest date	Yield	Reporting basis	Density (lbs/cu ft)	Moisture (%)	N (mg/kg)	P (mg/kg)	K (mg/kg)	Salt (mg/kg)	TFS (%)
05/19/2023	1,421.00 *ton*	As-is		66.5	6,500.00	100.00	7,200.00		11.40

	Yield (tons/acre)	Total N (lbs/acre)	Total P (lbs/acre)	Total K (lbs/acre)	Salt (lbs/acre)
Anticipated harvest content	18.00	198.00	30.60	149.40	0.00
Total actual harvest content	20.30	263.90	4.06	292.32	1,550.51

Annual Report - General Order No. R5-2007-0035
Reporting period 01/01/2023 to 12/31/2023.

Field 8

07/05/2023: Corn, silage

Crop: Corn, silage Acres planted: 70 Plant date: 07/05/2023

Harvest date	Yield	Reporting basis	Density (lbs/cu ft)	Moisture (%)	N (mg/kg)	P (mg/kg)	K (mg/kg)	Salt (mg/kg)	TFS (%)
10/16/2023	1,120.00 *ton*	As-is		57.4	6,000.00	100.00	6,000.00		5.90

	Yield (tons/acre)	Total N (lbs/acre)	Total P (lbs/acre)	Total K (lbs/acre)	Salt (lbs/acre)
Anticipated harvest content	27.50	220.00	41.25	181.50	0.00
Total actual harvest content	16.00	192.00	3.20	192.00	804.29

Field 9

Field name: Field 9

11/01/2022: Wheat, silage, soft dough

Crop: Wheat, silage, soft dough Acres planted: 63 Plant date: 11/01/2022

Harvest date	Yield	Reporting basis	Density (lbs/cu ft)	Moisture (%)	N (mg/kg)	P (mg/kg)	K (mg/kg)	Salt (mg/kg)	TFS (%)
05/20/2023	1,121.40 *ton*	As-is		60.9	5,500.00	100.00	7,500.00		12.80

	Yield (tons/acre)	Total N (lbs/acre)	Total P (lbs/acre)	Total K (lbs/acre)	Salt (lbs/acre)
Anticipated harvest content	18.00	198.00	30.60	149.40	0.00
Total actual harvest content	17.80	195.80	3.56	267.00	1,781.71

07/05/2023: Corn, silage

Crop: Corn, silage Acres planted: 63 Plant date: 07/05/2023

Harvest date	Yield	Reporting basis	Density (lbs/cu ft)	Moisture (%)	N (mg/kg)	P (mg/kg)	K (mg/kg)	Salt (mg/kg)	TFS (%)
10/16/2023	787.50 *ton*	As-is		55.9	5,600.00	1,300.00	5,400.00		5.10

	Yield (tons/acre)	Total N (lbs/acre)	Total P (lbs/acre)	Total K (lbs/acre)	Salt (lbs/acre)
Anticipated harvest content	27.50	220.00	41.25	181.50	0.00
Total actual harvest content	12.50	140.00	32.50	135.00	562.28

Annual Report - General Order No. R5-2007-0035
Reporting period 01/01/2023 to 12/31/2023.

Field H2-1

Field name: Field H2-1

10/25/2022: Wheat, silage, soft dough

Crop: Wheat, silage, soft dough Acres planted: 89 Plant date: 10/25/2022

Harvest date	Yield	Reporting basis	Density (lbs/cu ft)	Moisture (%)	N (mg/kg)	P (mg/kg)	K (mg/kg)	Salt (mg/kg)	TFS (%)
05/21/2023	2,047.00 *ton*	As-is		66.8	4,000.00	900.00	5,400.00		10.10

	Yield (tons/acre)	Total N (lbs/acre)	Total P (lbs/acre)	Total K (lbs/acre)	Salt (lbs/acre)
Anticipated harvest content	18.00	198.00	30.60	149.40	0.00
Total actual harvest content	23.00	184.00	41.40	248.40	1,542.47

06/22/2023: Corn, silage

Crop: Corn, silage Acres planted: 89 Plant date: 06/22/2023

Harvest date	Yield	Reporting basis	Density (lbs/cu ft)	Moisture (%)	N (mg/kg)	P (mg/kg)	K (mg/kg)	Salt (mg/kg)	TFS (%)
10/04/2023	2,625.50 *ton*	As-is		67.8	3,900.00	800.00	4,900.00		5.10

	Yield (tons/acre)	Total N (lbs/acre)	Total P (lbs/acre)	Total K (lbs/acre)	Salt (lbs/acre)
Anticipated harvest content	27.50	220.00	41.25	181.50	0.00
Total actual harvest content	29.50	230.10	47.20	289.10	968.90

Field H2-2

Field name: Field H2-2

10/25/2022: Wheat Hay

Crop: Wheat Hay Acres planted: 92 Plant date: 10/25/2022

Harvest date	Yield	Reporting basis	Density (lbs/cu ft)	Moisture (%)	N (mg/kg)	P (mg/kg)	K (mg/kg)	Salt (mg/kg)	TFS (%)
04/26/2023	414.00 *ton*	As-is		10.0	12,700.00	2,900.00	24,500.00		10.30

	Yield (tons/acre)	Total N (lbs/acre)	Total P (lbs/acre)	Total K (lbs/acre)	Salt (lbs/acre)
Anticipated harvest content	4.00	132.00	20.40	99.60	0.00
Total actual harvest content	4.50	114.30	26.10	220.50	834.30

Annual Report - General Order No. R5-2007-0035
Reporting period 01/01/2023 to 12/31/2023.

Field H2-2

06/27/2023: Corn, silage

Crop: Corn, silage Acres planted: 92 Plant date: 06/27/2023

Harvest date	Yield	Reporting basis	Density (lbs/cu ft)	Moisture (%)	N (mg/kg)	P (mg/kg)	K (mg/kg)	Salt (mg/kg)	TFS (%)
10/11/2023	1,702.00 *ton*	As-is		57.9	4,800.00	900.00	5,800.00		5.40

	Yield (tons/acre)	Total N (lbs/acre)	Total P (lbs/acre)	Total K (lbs/acre)	Salt (lbs/acre)
Anticipated harvest content	27.50	220.00	41.25	181.50	0.00
Total actual harvest content	18.50	177.60	33.30	214.60	841.16

Field H2-3

Field name: Field H2-3

10/25/2022: Wheat, silage, soft dough

Crop: Wheat, silage, soft dough Acres planted: 93 Plant date: 10/25/2022

Harvest date	Yield	Reporting basis	Density (lbs/cu ft)	Moisture (%)	N (mg/kg)	P (mg/kg)	K (mg/kg)	Salt (mg/kg)	TFS (%)
04/26/2023	1,553.10 *ton*	As-is		66.8	7,200.00	1,200.00	9,700.00		13.60

	Yield (tons/acre)	Total N (lbs/acre)	Total P (lbs/acre)	Total K (lbs/acre)	Salt (lbs/acre)
Anticipated harvest content	18.00	198.00	30.60	149.40	0.00
Total actual harvest content	16.70	240.48	40.08	323.98	1,508.08

06/01/2023: Corn, silage

Crop: Corn, silage Acres planted: 93 Plant date: 06/01/2023

Harvest date	Yield	Reporting basis	Density (lbs/cu ft)	Moisture (%)	N (mg/kg)	P (mg/kg)	K (mg/kg)	Salt (mg/kg)	TFS (%)
09/18/2023	2,706.30 *ton*	As-is		68.9	4,300.00	700.00	5,800.00		7.30

	Yield (tons/acre)	Total N (lbs/acre)	Total P (lbs/acre)	Total K (lbs/acre)	Salt (lbs/acre)
Anticipated harvest content	27.50	220.00	41.25	181.50	0.00
Total actual harvest content	29.10	250.26	40.74	337.56	1,321.31

Annual Report - General Order No. R5-2007-0035
Reporting period 01/01/2023 to 12/31/2023.

Field H2-4

Field name: Field H2-4

10/25/2022: Wheat, silage, soft dough

Crop: Wheat, silage, soft dough Acres planted: 95 Plant date: 10/25/2022

Harvest date	Yield	Reporting basis	Density (lbs/cu ft)	Moisture (%)	N (mg/kg)	P (mg/kg)	K (mg/kg)	Salt (mg/kg)	TFS (%)
04/26/2023	1,928.50 *ton*	As-is		67.4	7,200.00	1,300.00	9,200.00		11.20

	Yield (tons/acre)	Total N (lbs/acre)	Total P (lbs/acre)	Total K (lbs/acre)	Salt (lbs/acre)
Anticipated harvest content	18.00	198.00	30.60	149.40	0.00
Total actual harvest content	20.30	292.32	52.78	373.52	1,482.39

06/07/2023: Corn, silage

Crop: Corn, silage Acres planted: 95 Plant date: 06/07/2023

Harvest date	Yield	Reporting basis	Density (lbs/cu ft)	Moisture (%)	N (mg/kg)	P (mg/kg)	K (mg/kg)	Salt (mg/kg)	TFS (%)
09/25/2023	2,593.50 *ton*	As-is		70.6	3,200.00	500.00	4,200.00		5.60

	Yield (tons/acre)	Total N (lbs/acre)	Total P (lbs/acre)	Total K (lbs/acre)	Salt (lbs/acre)
Anticipated harvest content	27.50	220.00	41.25	181.50	0.00
Total actual harvest content	27.30	174.72	27.30	229.32	898.93

Annual Report - General Order No. R5-2007-0035
Reporting period 01/01/2023 to 12/31/2023.

NUTRIENT BUDGET

A. LAND APPLICATIONS

Field 1 - 11/01/2022: Wheat, silage, soft dough

Field name: Field 1

Crop: Wheat, silage, soft dough — Plant date: 11/01/2022

Application date	Application method	Precipitation 24 hours prior	Precipitation during application	Precipitation 24 hours following
01/23/2023	Surface (irrigation)	No precipitation	No precipitation	No precipitation

Source description	Material type	N (lbs/acre)	P (lbs/acre)	K (lbs/acre)	Salt (lbs/acre)	Amount
WWS	Process wastewater	171.69	13.45	194.00	1,334.99	3,159,000.00 *gal*
MID Canal	Surface water	0.85	0.00	0.00	26.30	7,929,600.00 *gal*
Application event totals		172.54	13.45	194.00	1,361.29	

Application date	Application method	Precipitation 24 hours prior	Precipitation during application	Precipitation 24 hours following
03/04/2023	Surface (irrigation)	No precipitation	No precipitation	No precipitation

Source description	Material type	N (lbs/acre)	P (lbs/acre)	K (lbs/acre)	Salt (lbs/acre)	Amount
WWS	Process wastewater	136.47	10.69	154.20	1,061.15	2,511,000.00 *gal*
Application event totals		136.47	10.69	154.20	1,061.15	

Application date	Application method	Precipitation 24 hours prior	Precipitation during application	Precipitation 24 hours following
04/07/2023	Surface (irrigation)	No precipitation	No precipitation	No precipitation

Source description	Material type	N (lbs/acre)	P (lbs/acre)	K (lbs/acre)	Salt (lbs/acre)	Amount
MID Canal	Surface water	1.39	0.00	0.00	43.24	13,036,800.00 *gal*
Application event totals		1.39	0.00	0.00	43.24	

Field 1 - 06/01/2023: Corn, silage

Field name: Field 1

Crop: Corn, silage — Plant date: 06/01/2023

Application date	Application method	Precipitation 24 hours prior	Precipitation during application	Precipitation 24 hours following
04/29/2023	Broadcast/incorporate	No precipitation	No precipitation	No precipitation

Source description	Material type	N (lbs/acre)	P (lbs/acre)	K (lbs/acre)	Salt (lbs/acre)	Amount
Solid Manure	Separator solids	211.77	24.60	66.31	0.00	1,896.00 *ton*
Application event totals		211.77	24.60	66.31	0.00	

Annual Report - General Order No. R5-2007-0035
Reporting period 01/01/2023 to 12/31/2023.

Field 1 - 06/01/2023: Corn, silage

Application date	Application method	Precipitation 24 hours prior	Precipitation during application	Precipitation 24 hours following
06/06/2023	Surface (irrigation)	No precipitation	No precipitation	No precipitation

Source description	Material type	N (lbs/acre)	P (lbs/acre)	K (lbs/acre)	Salt (lbs/acre)	Amount
MID Canal	Surface water	1.54	0.00	0.00	47.70	14,380,800.00 *gal*
Application event totals		1.54	0.00	0.00	47.70	

Application date	Application method	Precipitation 24 hours prior	Precipitation during application	Precipitation 24 hours following
06/29/2023	Surface (irrigation)	No precipitation	No precipitation	No precipitation

Source description	Material type	N (lbs/acre)	P (lbs/acre)	K (lbs/acre)	Salt (lbs/acre)	Amount
MID Canal	Surface water	1.34	0.00	0.00	41.45	12,499,200.00 *gal*
Application event totals		1.34	0.00	0.00	41.45	

Application date	Application method	Precipitation 24 hours prior	Precipitation during application	Precipitation 24 hours following
07/18/2023	Surface (irrigation)	No precipitation	No precipitation	No precipitation

Source description	Material type	N (lbs/acre)	P (lbs/acre)	K (lbs/acre)	Salt (lbs/acre)	Amount
MID Canal	Surface water	1.31	0.00	0.00	40.56	12,230,400.00 *gal*
Application event totals		1.31	0.00	0.00	40.56	

Application date	Application method	Precipitation 24 hours prior	Precipitation during application	Precipitation 24 hours following
08/03/2023	Sidedress	No precipitation	No precipitation	No precipitation

Source description	Material type	N (lbs/acre)	P (lbs/acre)	K (lbs/acre)	Salt (lbs/acre)	Amount
Sol 30	Solid commercial fertilizer	33.78	0.00	0.00	0.00	
Application event totals		33.78	0.00	0.00	0.00	

Application date	Application method	Precipitation 24 hours prior	Precipitation during application	Precipitation 24 hours following
08/03/2023	Surface (irrigation)	No precipitation	No precipitation	No precipitation

Source description	Material type	N (lbs/acre)	P (lbs/acre)	K (lbs/acre)	Salt (lbs/acre)	Amount
MID Canal	Surface water	1.08	0.00	0.00	33.43	10,080,000.00 *gal*
Application event totals		1.08	0.00	0.00	33.43	

Application date	Application method	Precipitation 24 hours prior	Precipitation during application	Precipitation 24 hours following
08/22/2023	Surface (irrigation)	No precipitation	No precipitation	No precipitation

Source description	Material type	N (lbs/acre)	P (lbs/acre)	K (lbs/acre)	Salt (lbs/acre)	Amount
MID Canal	Surface water	1.19	0.00	0.00	37.00	11,155,200.00 *gal*
Application event totals		1.19	0.00	0.00	37.00	

Annual Report - General Order No. R5-2007-0035
Reporting period 01/01/2023 to 12/31/2023.

Field 1 - 06/01/2023: Corn, silage

Application date	Application method	Precipitation 24 hours prior	Precipitation during application	Precipitation 24 hours following
09/10/2023	Surface (irrigation)	No precipitation	No precipitation	No precipitation

Source description	Material type	N (lbs/acre)	P (lbs/acre)	K (lbs/acre)	Salt (lbs/acre)	Amount
MID Canal	Surface water	1.14	0.00	0.00	35.21	10,617,600.00 *gal*
Application event totals		1.14	0.00	0.00	35.21	

Field 10 - 11/01/2022: Wheat, silage, soft dough

Field name: Field 10

Crop: Wheat, silage, soft dough

Plant date: 11/01/2022

Application date	Application method	Precipitation 24 hours prior	Precipitation during application	Precipitation 24 hours following
01/30/2023	Surface (irrigation)	No precipitation	No precipitation	No precipitation

Source description	Material type	N (lbs/acre)	P (lbs/acre)	K (lbs/acre)	Salt (lbs/acre)	Amount
WWS	Process wastewater	238.87	18.71	269.91	1,857.38	1,296,000.00 *gal*
Application event totals		238.87	18.71	269.91	1,857.38	

Application date	Application method	Precipitation 24 hours prior	Precipitation during application	Precipitation 24 hours following
04/28/2023	Surface (irrigation)	No precipitation	No precipitation	No precipitation

Source description	Material type	N (lbs/acre)	P (lbs/acre)	K (lbs/acre)	Salt (lbs/acre)	Amount
MID Canal	Surface water	1.46	0.00	0.00	45.35	4,032,000.00 *gal*
Application event totals		1.46	0.00	0.00	45.35	

Field 10 - 06/28/2023: Corn, silage

Field name: Field 10

Crop: Corn, silage

Plant date: 06/28/2023

Application date	Application method	Precipitation 24 hours prior	Precipitation during application	Precipitation 24 hours following

Annual Report - General Order No. R5-2007-0035
Reporting period 01/01/2023 to 12/31/2023.

Field 10 - 06/28/2023: Corn, silage

Application date	Application method	Precipitation 24 hours prior	Precipitation during application	Precipitation 24 hours following
06/02/2023	Surface (irrigation)	No precipitation	No precipitation	No precipitation

Source description	Material type	N (lbs/acre)	P (lbs/acre)	K (lbs/acre)	Salt (lbs/acre)	Amount
Slurry	Process wastewater sludge	263.20	123.67	86.41	261.62	218,500.00 *gal*
Application event totals		263.20	123.67	86.41	261.62	

Application date	Application method	Precipitation 24 hours prior	Precipitation during application	Precipitation 24 hours following
06/19/2023	Surface (irrigation)	No precipitation	No precipitation	No precipitation

Source description	Material type	N (lbs/acre)	P (lbs/acre)	K (lbs/acre)	Salt (lbs/acre)	Amount
MID Canal	Surface water	1.80	0.00	0.00	55.93	4,972,800.00 *gal*
Application event totals		1.80	0.00	0.00	55.93	

Application date	Application method	Precipitation 24 hours prior	Precipitation during application	Precipitation 24 hours following
07/28/2023	Surface (irrigation)	No precipitation	No precipitation	No precipitation

Source description	Material type	N (lbs/acre)	P (lbs/acre)	K (lbs/acre)	Salt (lbs/acre)	Amount
MID Canal	Surface water	1.41	0.00	0.00	43.84	3,897,600.00 *gal*
Application event totals		1.41	0.00	0.00	43.84	

Application date	Application method	Precipitation 24 hours prior	Precipitation during application	Precipitation 24 hours following
08/17/2023	Surface (irrigation)	No precipitation	No precipitation	No precipitation

Source description	Material type	N (lbs/acre)	P (lbs/acre)	K (lbs/acre)	Salt (lbs/acre)	Amount
MID Canal	Surface water	1.02	0.00	0.00	31.75	2,822,400.00 *gal*
Application event totals		1.02	0.00	0.00	31.75	

Application date	Application method	Precipitation 24 hours prior	Precipitation during application	Precipitation 24 hours following
08/29/2023	Surface (irrigation)	No precipitation	No precipitation	No precipitation

Source description	Material type	N (lbs/acre)	P (lbs/acre)	K (lbs/acre)	Salt (lbs/acre)	Amount
MID Canal	Surface water	1.17	0.00	0.00	36.28	3,225,600.00 *gal*
Application event totals		1.17	0.00	0.00	36.28	

Application date	Application method	Precipitation 24 hours prior	Precipitation during application	Precipitation 24 hours following
09/13/2023	Surface (irrigation)	No precipitation	No precipitation	No precipitation

Source description	Material type	N (lbs/acre)	P (lbs/acre)	K (lbs/acre)	Salt (lbs/acre)	Amount
MID Canal	Surface water	1.32	0.00	0.00	40.82	3,628,800.00 *gal*
Application event totals		1.32	0.00	0.00	40.82	

Annual Report - General Order No. R5-2007-0035
Reporting period 01/01/2023 to 12/31/2023.

Field 10 - 06/28/2023: Corn, silage

Application date	Application method	Precipitation 24 hours prior	Precipitation during application	Precipitation 24 hours following
09/21/2023	Surface (irrigation)	No precipitation	No precipitation	No precipitation

Source description	Material type	N (lbs/acre)	P (lbs/acre)	K (lbs/acre)	Salt (lbs/acre)	Amount
MID Canal	Surface water	0.98	0.00	0.00	30.23	2,688,000.00 *gal*
Application event totals		0.98	0.00	0.00	30.23	

Field 11 - 11/01/2022: Wheat, silage, soft dough

Field name: Field 11

Crop: Wheat, silage, soft dough

Plant date: 11/01/2022

Application date	Application method	Precipitation 24 hours prior	Precipitation during application	Precipitation 24 hours following
02/21/2023	Surface (irrigation)	No precipitation	No precipitation	No precipitation

Source description	Material type	N (lbs/acre)	P (lbs/acre)	K (lbs/acre)	Salt (lbs/acre)	Amount
WWS	Process wastewater	250.93	19.66	283.53	1,951.14	3,078,000.00 *gal*
Application event totals		250.93	19.66	283.53	1,951.14	

04/26/2023	Surface (irrigation)	No precipitation	No precipitation	No precipitation

Source description	Material type	N (lbs/acre)	P (lbs/acre)	K (lbs/acre)	Salt (lbs/acre)	Amount
MID Canal	Surface water	1.45	0.00	0.00	44.80	9,004,800.00 *gal*
Application event totals		1.45	0.00	0.00	44.80	

Field 11 - 06/28/2023: Corn, silage

Field name: Field 11

Crop: Corn, silage

Plant date: 06/28/2023

Application date	Application method	Precipitation 24 hours prior	Precipitation during application	Precipitation 24 hours following

Annual Report - General Order No. R5-2007-0035
Reporting period 01/01/2023 to 12/31/2023.

Field 11 - 06/28/2023: Corn, silage

Application date	Application method	Precipitation 24 hours prior	Precipitation during application	Precipitation 24 hours following
06/02/2023	Surface (irrigation)	No precipitation	No precipitation	No precipitation

Source description	Material type	N (lbs/acre)	P (lbs/acre)	K (lbs/acre)	Salt (lbs/acre)	Amount
Slurry	Process wastewater sludge	187.28	88.00	61.49	186.15	351,500.00 *gal*
Application event totals		187.28	88.00	61.49	186.15	

Application date	Application method	Precipitation 24 hours prior	Precipitation during application	Precipitation 24 hours following
06/16/2023	Surface (irrigation)	No precipitation	No precipitation	No precipitation

Source description	Material type	N (lbs/acre)	P (lbs/acre)	K (lbs/acre)	Salt (lbs/acre)	Amount
MID Canal	Surface water	1.60	0.00	0.00	49.48	9,945,600.00 *gal*
Application event totals		1.60	0.00	0.00	49.48	

Application date	Application method	Precipitation 24 hours prior	Precipitation during application	Precipitation 24 hours following
07/26/2023	Surface (irrigation)	No precipitation	No precipitation	No precipitation

Source description	Material type	N (lbs/acre)	P (lbs/acre)	K (lbs/acre)	Salt (lbs/acre)	Amount
MID Canal	Surface water	1.42	0.00	0.00	44.13	8,870,400.00 *gal*
Application event totals		1.42	0.00	0.00	44.13	

Application date	Application method	Precipitation 24 hours prior	Precipitation during application	Precipitation 24 hours following
08/15/2023	Surface (irrigation)	No precipitation	No precipitation	No precipitation

Source description	Material type	N (lbs/acre)	P (lbs/acre)	K (lbs/acre)	Salt (lbs/acre)	Amount
MID Canal	Surface water	1.14	0.00	0.00	35.44	7,123,200.00 *gal*
Application event totals		1.14	0.00	0.00	35.44	

Application date	Application method	Precipitation 24 hours prior	Precipitation during application	Precipitation 24 hours following
08/27/2023	Surface (irrigation)	No precipitation	No precipitation	No precipitation

Source description	Material type	N (lbs/acre)	P (lbs/acre)	K (lbs/acre)	Salt (lbs/acre)	Amount
MID Canal	Surface water	1.27	0.00	0.00	39.45	7,929,600.00 *gal*
Application event totals		1.27	0.00	0.00	39.45	

Application date	Application method	Precipitation 24 hours prior	Precipitation during application	Precipitation 24 hours following
09/11/2023	Surface (irrigation)	No precipitation	No precipitation	No precipitation

Source description	Material type	N (lbs/acre)	P (lbs/acre)	K (lbs/acre)	Salt (lbs/acre)	Amount
MID Canal	Surface water	1.19	0.00	0.00	36.77	7,392,000.00 *gal*
Application event totals		1.19	0.00	0.00	36.77	

Annual Report - General Order No. R5-2007-0035
Reporting period 01/01/2023 to 12/31/2023.

Field 11 - 06/28/2023: Corn, silage

Application date	Application method	Precipitation 24 hours prior	Precipitation during application	Precipitation 24 hours following
09/20/2023	Surface (irrigation)	No precipitation	No precipitation	No precipitation

Source description	Material type	N (lbs/acre)	P (lbs/acre)	K (lbs/acre)	Salt (lbs/acre)	Amount
MID Canal	Surface water	1.06	0.00	0.00	32.76	6,585,600.00 *gal*
Application event totals		1.06	0.00	0.00	32.76	

Field 2 - 11/01/2022: Wheat, silage, soft dough

Field name: Field 2

Crop: Wheat, silage, soft dough

Plant date: 11/01/2022

Application date	Application method	Precipitation 24 hours prior	Precipitation during application	Precipitation 24 hours following
01/27/2023	Surface (irrigation)	No precipitation	No precipitation	No precipitation

Source description	Material type	N (lbs/acre)	P (lbs/acre)	K (lbs/acre)	Salt (lbs/acre)	Amount
WWS	Process wastewater	157.38	12.33	177.83	1,223.74	2,673,000.00 *gal*
MID Canal	Surface water	1.03	0.00	0.00	31.87	8,870,400.00 *gal*
Application event totals		158.41	12.33	177.83	1,255.61	

03/06/2023	Surface (irrigation)	No precipitation	No precipitation	No precipitation

Source description	Material type	N (lbs/acre)	P (lbs/acre)	K (lbs/acre)	Salt (lbs/acre)	Amount
WWS	Process wastewater	138.31	10.84	156.27	1,075.41	2,349,000.00 *gal*
Application event totals		138.31	10.84	156.27	1,075.41	

04/19/2023	Surface (irrigation)	No precipitation	No precipitation	No precipitation

Source description	Material type	N (lbs/acre)	P (lbs/acre)	K (lbs/acre)	Salt (lbs/acre)	Amount
MID Canal	Surface water	1.43	0.00	0.00	44.43	12,364,800.00 *gal*
Application event totals		1.43	0.00	0.00	44.43	

Field 2 - 07/05/2023: Corn, silage

Field name: Field 2

Crop: Corn, silage

Plant date: 07/05/2023

Annual Report - General Order No. R5-2007-0035
Reporting period 01/01/2023 to 12/31/2023.

Field 2 - 07/05/2023: Corn, silage

Application date	Application method	Precipitation 24 hours prior	Precipitation during application	Precipitation 24 hours following
06/23/2023	Surface (irrigation)	No precipitation	No precipitation	No precipitation

Source description	Material type	N (lbs/acre)	P (lbs/acre)	K (lbs/acre)	Salt (lbs/acre)	Amount
MID Canal	Surface water	1.78	0.00	0.00	55.05	15,321,600.00 *gal*
Application event totals		1.78	0.00	0.00	55.05	

Application date	Application method	Precipitation 24 hours prior	Precipitation during application	Precipitation 24 hours following
07/31/2023	Sidedress	No precipitation	No precipitation	No precipitation

Source description	Material type	N (lbs/acre)	P (lbs/acre)	K (lbs/acre)	Salt (lbs/acre)	Amount
Sol 30	Solid commercial fertilizer	33.78	0.00	0.00	0.00	
Application event totals		33.78	0.00	0.00	0.00	

Application date	Application method	Precipitation 24 hours prior	Precipitation during application	Precipitation 24 hours following
07/31/2023	Surface (irrigation)	No precipitation	No precipitation	No precipitation

Source description	Material type	N (lbs/acre)	P (lbs/acre)	K (lbs/acre)	Salt (lbs/acre)	Amount
MID Canal	Surface water	1.39	0.00	0.00	42.98	11,961,600.00 *gal*
Application event totals		1.39	0.00	0.00	42.98	

Application date	Application method	Precipitation 24 hours prior	Precipitation during application	Precipitation 24 hours following
08/20/2023	Surface (irrigation)	No precipitation	No precipitation	No precipitation

Source description	Material type	N (lbs/acre)	P (lbs/acre)	K (lbs/acre)	Salt (lbs/acre)	Amount
WWS	Process wastewater	202.97	22.94	233.86	1,535.52	3,807,000.00 *gal*
MID Canal	Surface water	1.46	0.00	0.00	45.39	12,633,600.00 *gal*
Application event totals		204.44	22.94	233.86	1,580.91	

Application date	Application method	Precipitation 24 hours prior	Precipitation during application	Precipitation 24 hours following
09/01/2023	Surface (irrigation)	No precipitation	No precipitation	No precipitation

Source description	Material type	N (lbs/acre)	P (lbs/acre)	K (lbs/acre)	Salt (lbs/acre)	Amount
MID Canal	Surface water	1.26	0.00	0.00	39.11	10,886,400.00 *gal*
Application event totals		1.26	0.00	0.00	39.11	

Application date	Application method	Precipitation 24 hours prior	Precipitation during application	Precipitation 24 hours following
09/16/2023	Surface (irrigation)	No precipitation	No precipitation	No precipitation

Source description	Material type	N (lbs/acre)	P (lbs/acre)	K (lbs/acre)	Salt (lbs/acre)	Amount
MID Canal	Surface water	1.18	0.00	0.00	36.70	10,214,400.00 *gal*
Application event totals		1.18	0.00	0.00	36.70	

Annual Report - General Order No. R5-2007-0035
Reporting period 01/01/2023 to 12/31/2023.

Field 2 - 07/05/2023: Corn, silage

Application date	Application method	Precipitation 24 hours prior	Precipitation during application	Precipitation 24 hours following
09/24/2023	Surface (irrigation)	No precipitation	No precipitation	No precipitation

Source description	Material type	N (lbs/acre)	P (lbs/acre)	K (lbs/acre)	Salt (lbs/acre)	Amount
MID Canal	Surface water	1.14	0.00	0.00	35.25	9,811,200.00 *gal*
Application event totals		1.14	0.00	0.00	35.25	

Field 3 - 11/01/2022: Wheat, silage, soft dough

Field name: Field 3

Crop: Wheat, silage, soft dough

Plant date: 11/01/2022

Application date	Application method	Precipitation 24 hours prior	Precipitation during application	Precipitation 24 hours following
12/18/2022	Surface (irrigation)	No precipitation	No precipitation	No precipitation

Source description	Material type	N (lbs/acre)	P (lbs/acre)	K (lbs/acre)	Salt (lbs/acre)	Amount
WWS	Process wastewater	227.54	16.02	327.75	1,839.67	4,293,000.00 *gal*
Application event totals		227.54	16.02	327.75	1,839.67	

Application date	Application method	Precipitation 24 hours prior	Precipitation during application	Precipitation 24 hours following
04/17/2023	Surface (irrigation)	No precipitation	No precipitation	No precipitation

Source description	Material type	N (lbs/acre)	P (lbs/acre)	K (lbs/acre)	Salt (lbs/acre)	Amount
MID Canal	Surface water	1.49	0.00	0.00	46.04	13,171,200.00 *gal*
Application event totals		1.49	0.00	0.00	46.04	

Field 3 - 06/27/2023: Corn, silage

Field name: Field 3

Crop: Corn, silage

Plant date: 06/27/2023

Application date	Application method	Precipitation 24 hours prior	Precipitation during application	Precipitation 24 hours following

Annual Report - General Order No. R5-2007-0035
Reporting period 01/01/2023 to 12/31/2023.

Field 3 - 06/27/2023: Corn, silage

Application date	Application method	Precipitation 24 hours prior	Precipitation during application	Precipitation 24 hours following
05/25/2023	Broadcast/incorporate	No precipitation	No precipitation	No precipitation

Source description	Material type	N (lbs/acre)	P (lbs/acre)	K (lbs/acre)	Salt (lbs/acre)	Amount
Solid Manure	Corral solids	277.30	71.23	216.24	5,456.88	592.00 *ton*
Application event totals		277.30	71.23	216.24	5,456.88	

Application date	Application method	Precipitation 24 hours prior	Precipitation during application	Precipitation 24 hours following
06/13/2023	Surface (irrigation)	No precipitation	No precipitation	No precipitation

Source description	Material type	N (lbs/acre)	P (lbs/acre)	K (lbs/acre)	Salt (lbs/acre)	Amount
MID Canal	Surface water	1.68	0.00	0.00	52.15	14,918,400.00 *gal*
Application event totals		1.68	0.00	0.00	52.15	

Application date	Application method	Precipitation 24 hours prior	Precipitation during application	Precipitation 24 hours following
07/24/2023	Surface (irrigation)	No precipitation	No precipitation	No precipitation

Source description	Material type	N (lbs/acre)	P (lbs/acre)	K (lbs/acre)	Salt (lbs/acre)	Amount
MID Canal	Surface water	1.59	0.00	0.00	49.33	14,112,000.00 *gal*
Application event totals		1.59	0.00	0.00	49.33	

Application date	Application method	Precipitation 24 hours prior	Precipitation during application	Precipitation 24 hours following
08/13/2023	Sidedress	No precipitation	No precipitation	No precipitation

Source description	Material type	N (lbs/acre)	P (lbs/acre)	K (lbs/acre)	Salt (lbs/acre)	Amount
Sol 30	Solid commercial fertilizer	33.78	0.00	0.00	0.00	
Application event totals		33.78	0.00	0.00	0.00	

Application date	Application method	Precipitation 24 hours prior	Precipitation during application	Precipitation 24 hours following
08/13/2023	Surface (irrigation)	No precipitation	No precipitation	No precipitation

Source description	Material type	N (lbs/acre)	P (lbs/acre)	K (lbs/acre)	Salt (lbs/acre)	Amount
MID Canal	Surface water	1.35	0.00	0.00	41.82	11,961,600.00 *gal*
Application event totals		1.35	0.00	0.00	41.82	

Application date	Application method	Precipitation 24 hours prior	Precipitation during application	Precipitation 24 hours following
08/25/2023	Surface (irrigation)	No precipitation	No precipitation	No precipitation

Source description	Material type	N (lbs/acre)	P (lbs/acre)	K (lbs/acre)	Salt (lbs/acre)	Amount
MID Canal	Surface water	1.20	0.00	0.00	37.12	10,617,600.00 *gal*
Application event totals		1.20	0.00	0.00	37.12	

Annual Report - General Order No. R5-2007-0035
Reporting period 01/01/2023 to 12/31/2023.

Field 3 - 06/27/2023: Corn, silage

Application date	Application method	Precipitation 24 hours prior	Precipitation during application	Precipitation 24 hours following
09/09/2023	Surface (irrigation)	No precipitation	No precipitation	No precipitation

Source description	Material type	N (lbs/acre)	P (lbs/acre)	K (lbs/acre)	Salt (lbs/acre)	Amount
MID Canal	Surface water	1.23	0.00	0.00	38.06	10,886,400.00 *gal*
Application event totals		1.23	0.00	0.00	38.06	

Application date	Application method	Precipitation 24 hours prior	Precipitation during application	Precipitation 24 hours following
09/19/2023	Surface (irrigation)	No precipitation	No precipitation	No precipitation

Source description	Material type	N (lbs/acre)	P (lbs/acre)	K (lbs/acre)	Salt (lbs/acre)	Amount
MID Canal	Surface water	1.08	0.00	0.00	33.36	9,542,400.00 *gal*
Application event totals		1.08	0.00	0.00	33.36	

Field 6 - 11/01/2022: Wheat, silage, soft dough

Field name: Field 6

Crop: Wheat, silage, soft dough Plant date: 11/01/2022

Application date	Application method	Precipitation 24 hours prior	Precipitation during application	Precipitation 24 hours following
01/11/2023	Surface (irrigation)	No precipitation	No precipitation	No precipitation

Source description	Material type	N (lbs/acre)	P (lbs/acre)	K (lbs/acre)	Salt (lbs/acre)	Amount
WWS	Process wastewater	260.97	20.45	294.87	2,029.19	3,078,000.00 *gal*
Application event totals		260.97	20.45	294.87	2,029.19	

Application date	Application method	Precipitation 24 hours prior	Precipitation during application	Precipitation 24 hours following
04/22/2023	Surface (irrigation)	No precipitation	No precipitation	No precipitation

Source description	Material type	N (lbs/acre)	P (lbs/acre)	K (lbs/acre)	Salt (lbs/acre)	Amount
MID Canal	Surface water	1.46	0.00	0.00	45.20	8,736,000.00 *gal*
Application event totals		1.46	0.00	0.00	45.20	

Field 6 - 06/28/2023: Corn, silage

Field name: Field 6

Crop: Corn, silage Plant date: 06/28/2023

Annual Report - General Order No. R5-2007-0035
Reporting period 01/01/2023 to 12/31/2023.

Field 6 - 06/28/2023: Corn, silage

Application date	Application method	Precipitation 24 hours prior	Precipitation during application	Precipitation 24 hours following
06/20/2023	Surface (irrigation)	No precipitation	No precipitation	No precipitation

Source description	Material type	N (lbs/acre)	P (lbs/acre)	K (lbs/acre)	Salt (lbs/acre)	Amount
MID Canal	Surface water	1.50	0.00	0.00	46.59	9,004,800.00 *gal*
Application event totals		1.50	0.00	0.00	46.59	

Application date	Application method	Precipitation 24 hours prior	Precipitation during application	Precipitation 24 hours following
07/29/2023	Sidedress	No precipitation	No precipitation	No precipitation

Source description	Material type	N (lbs/acre)	P (lbs/acre)	K (lbs/acre)	Salt (lbs/acre)	Amount
Sol 30	Solid commercial fertilizer	33.78	0.00	0.00	0.00	
Application event totals		33.78	0.00	0.00	0.00	

Application date	Application method	Precipitation 24 hours prior	Precipitation during application	Precipitation 24 hours following
07/29/2023	Surface (irrigation)	No precipitation	No precipitation	No precipitation

Source description	Material type	N (lbs/acre)	P (lbs/acre)	K (lbs/acre)	Salt (lbs/acre)	Amount
MID Canal	Surface water	1.41	0.00	0.00	43.81	8,467,200.00 *gal*
Application event totals		1.41	0.00	0.00	43.81	

Application date	Application method	Precipitation 24 hours prior	Precipitation during application	Precipitation 24 hours following
08/18/2023	Surface (irrigation)	No precipitation	No precipitation	No precipitation

Source description	Material type	N (lbs/acre)	P (lbs/acre)	K (lbs/acre)	Salt (lbs/acre)	Amount
MID Canal	Surface water	1.14	0.00	0.00	35.46	6,854,400.00 *gal*
Application event totals		1.14	0.00	0.00	35.46	

Application date	Application method	Precipitation 24 hours prior	Precipitation during application	Precipitation 24 hours following
08/30/2023	Surface (irrigation)	No precipitation	No precipitation	No precipitation

Source description	Material type	N (lbs/acre)	P (lbs/acre)	K (lbs/acre)	Salt (lbs/acre)	Amount
WWS	Process wastewater	223.87	25.31	257.94	1,693.65	2,916,000.00 *gal*
MID Canal	Surface water	1.32	0.00	0.00	41.03	7,929,600.00 *gal*
Application event totals		225.20	25.31	257.94	1,734.67	

Application date	Application method	Precipitation 24 hours prior	Precipitation during application	Precipitation 24 hours following
09/14/2023	Surface (irrigation)	No precipitation	No precipitation	No precipitation

Source description	Material type	N (lbs/acre)	P (lbs/acre)	K (lbs/acre)	Salt (lbs/acre)	Amount
MID Canal	Surface water	1.19	0.00	0.00	36.85	7,123,200.00 *gal*
Application event totals		1.19	0.00	0.00	36.85	

Annual Report - General Order No. R5-2007-0035
Reporting period 01/01/2023 to 12/31/2023.

Field 6 - 06/28/2023: Corn, silage

Application date	Application method	Precipitation 24 hours prior	Precipitation during application	Precipitation 24 hours following
09/22/2023	Surface (irrigation)	No precipitation	No precipitation	No precipitation

Source description	Material type	N (lbs/acre)	P (lbs/acre)	K (lbs/acre)	Salt (lbs/acre)	Amount
MID Canal	Surface water	1.05	0.00	0.00	32.68	6,316,800.00 *gal*
Application event totals		1.05	0.00	0.00	32.68	

Field 7 - 11/01/2022: Wheat, silage, soft dough

Field name: Field 7

Crop: Wheat, silage, soft dough

Plant date: 11/01/2022

Application date	Application method	Precipitation 24 hours prior	Precipitation during application	Precipitation 24 hours following
01/18/2023	Surface (irrigation)	No precipitation	No precipitation	No precipitation

Source description	Material type	N (lbs/acre)	P (lbs/acre)	K (lbs/acre)	Salt (lbs/acre)	Amount
WWS	Process wastewater	246.09	19.22	277.14	1,907.13	810,000.00 *gal*
Application event totals		246.09	19.22	277.14	1,907.13	

Application date	Application method	Precipitation 24 hours prior	Precipitation during application	Precipitation 24 hours following
04/21/2023	Surface (irrigation)	No precipitation	No precipitation	No precipitation

Source description	Material type	N (lbs/acre)	P (lbs/acre)	K (lbs/acre)	Salt (lbs/acre)	Amount
MID Canal	Surface water	1.44	0.00	0.00	44.70	2,419,200.00 *gal*
Application event totals		1.44	0.00	0.00	44.70	

Field 7 - 06/22/2023: Corn, silage

Field name: Field 7

Crop: Corn, silage

Plant date: 06/22/2023

Application date	Application method	Precipitation 24 hours prior	Precipitation during application	Precipitation 24 hours following

Annual Report - General Order No. R5-2007-0035
Reporting period 01/01/2023 to 12/31/2023.

Field 7 - 06/22/2023: Corn, silage

Application date	Application method	Precipitation 24 hours prior	Precipitation during application	Precipitation 24 hours following
06/10/2023	Surface (irrigation)	No precipitation	No precipitation	No precipitation

Source description	Material type	N (lbs/acre)	P (lbs/acre)	K (lbs/acre)	Salt (lbs/acre)	Amount
MID Canal	Surface water	1.68	0.00	0.00	52.15	2,822,400.00 *gal*
Application event totals		1.68	0.00	0.00	52.15	

Application date	Application method	Precipitation 24 hours prior	Precipitation during application	Precipitation 24 hours following
07/22/2023	Sidedress	No precipitation	No precipitation	No precipitation

Source description	Material type	N (lbs/acre)	P (lbs/acre)	K (lbs/acre)	Salt (lbs/acre)	Amount
Sol 30	Solid commercial fertilizer	33.78	0.00	0.00	0.00	
Application event totals		33.78	0.00	0.00	0.00	

Application date	Application method	Precipitation 24 hours prior	Precipitation during application	Precipitation 24 hours following
07/22/2023	Surface (irrigation)	No precipitation	No precipitation	No precipitation

Source description	Material type	N (lbs/acre)	P (lbs/acre)	K (lbs/acre)	Salt (lbs/acre)	Amount
MID Canal	Surface water	1.28	0.00	0.00	39.74	2,150,400.00 *gal*
Application event totals		1.28	0.00	0.00	39.74	

Application date	Application method	Precipitation 24 hours prior	Precipitation during application	Precipitation 24 hours following
08/11/2023	Surface (irrigation)	No precipitation	No precipitation	No precipitation

Source description	Material type	N (lbs/acre)	P (lbs/acre)	K (lbs/acre)	Salt (lbs/acre)	Amount
MID Canal	Surface water	1.16	0.00	0.00	36.01	1,948,800.00 *gal*
Application event totals		1.16	0.00	0.00	36.01	

Application date	Application method	Precipitation 24 hours prior	Precipitation during application	Precipitation 24 hours following
08/23/2023	Surface (irrigation)	No precipitation	No precipitation	No precipitation

Source description	Material type	N (lbs/acre)	P (lbs/acre)	K (lbs/acre)	Salt (lbs/acre)	Amount
WWS	Process wastewater	189.03	21.34	217.51	1,428.18	688,500.00 *gal*
MID Canal	Surface water	1.36	0.00	0.00	42.22	2,284,800.00 *gal*
Application event totals		190.39	21.34	217.51	1,470.39	

Application date	Application method	Precipitation 24 hours prior	Precipitation during application	Precipitation 24 hours following
09/07/2023	Surface (irrigation)	No precipitation	No precipitation	No precipitation

Source description	Material type	N (lbs/acre)	P (lbs/acre)	K (lbs/acre)	Salt (lbs/acre)	Amount
MID Canal	Surface water	1.04	0.00	0.00	32.29	1,747,200.00 *gal*
Application event totals		1.04	0.00	0.00	32.29	

Annual Report - General Order No. R5-2007-0035
Reporting period 01/01/2023 to 12/31/2023.

Field 7 - 06/22/2023: Corn, silage

Application date	Application method	Precipitation 24 hours prior	Precipitation during application	Precipitation 24 hours following
09/18/2023	Surface (irrigation)	No precipitation	No precipitation	No precipitation

Source description	Material type	N (lbs/acre)	P (lbs/acre)	K (lbs/acre)	Salt (lbs/acre)	Amount
MID Canal	Surface water	1.12	0.00	0.00	34.77	1,881,600.00 *gal*
Application event totals		1.12	0.00	0.00	34.77	

Field 8 - 11/01/2022: Wheat, silage, soft dough

Field name: Field 8

Crop: Wheat, silage, soft dough

Plant date: 11/01/2022

Application date	Application method	Precipitation 24 hours prior	Precipitation during application	Precipitation 24 hours following
02/17/2023	Surface (irrigation)	No precipitation	No precipitation	No precipitation

Source description	Material type	N (lbs/acre)	P (lbs/acre)	K (lbs/acre)	Salt (lbs/acre)	Amount
WWS	Process wastewater	300.23	23.44	338.11	2,326.70	4,941,000.00 *gal*
Application event totals		300.23	23.44	338.11	2,326.70	

Application date	Application method	Precipitation 24 hours prior	Precipitation during application	Precipitation 24 hours following
04/24/2023	Surface (irrigation)	No precipitation	No precipitation	No precipitation

Source description	Material type	N (lbs/acre)	P (lbs/acre)	K (lbs/acre)	Salt (lbs/acre)	Amount
MID Canal	Surface water	1.43	0.00	0.00	44.21	11,961,600.00 *gal*
Application event totals		1.43	0.00	0.00	44.21	

Field 8 - 07/05/2023: Corn, silage

Field name: Field 8

Crop: Corn, silage

Plant date: 07/05/2023

Application date	Application method	Precipitation 24 hours prior	Precipitation during application	Precipitation 24 hours following

Annual Report - General Order No. R5-2007-0035
Reporting period 01/01/2023 to 12/31/2023.

Field 8 - 07/05/2023: Corn, silage

Application date	Application method	Precipitation 24 hours prior	Precipitation during application	Precipitation 24 hours following
06/25/2023	Surface (irrigation)	No precipitation	No precipitation	No precipitation

Source description	Material type	N (lbs/acre)	P (lbs/acre)	K (lbs/acre)	Salt (lbs/acre)	Amount
MID Canal	Surface water	1.65	0.00	0.00	51.16	13,843,200.00 *gal*
Application event totals		1.65	0.00	0.00	51.16	

Application date	Application method	Precipitation 24 hours prior	Precipitation during application	Precipitation 24 hours following
08/02/2023	Sidedress	No precipitation	No precipitation	No precipitation

Source description	Material type	N (lbs/acre)	P (lbs/acre)	K (lbs/acre)	Salt (lbs/acre)	Amount
Sol 30	Solid commercial fertilizer	33.78	0.00	0.00	0.00	
Application event totals		33.78	0.00	0.00	0.00	

Application date	Application method	Precipitation 24 hours prior	Precipitation during application	Precipitation 24 hours following
08/02/2023	Surface (irrigation)	No precipitation	No precipitation	No precipitation

Source description	Material type	N (lbs/acre)	P (lbs/acre)	K (lbs/acre)	Salt (lbs/acre)	Amount
MID Canal	Surface water	1.28	0.00	0.00	39.74	10,752,000.00 *gal*
Application event totals		1.28	0.00	0.00	39.74	

Application date	Application method	Precipitation 24 hours prior	Precipitation during application	Precipitation 24 hours following
08/22/2023	Surface (irrigation)	No precipitation	No precipitation	No precipitation

Source description	Material type	N (lbs/acre)	P (lbs/acre)	K (lbs/acre)	Salt (lbs/acre)	Amount
MID Canal	Surface water	1.36	0.00	0.00	42.22	11,424,000.00 *gal*
Application event totals		1.36	0.00	0.00	42.22	

Application date	Application method	Precipitation 24 hours prior	Precipitation during application	Precipitation 24 hours following
09/03/2023	Surface (irrigation)	No precipitation	No precipitation	No precipitation

Source description	Material type	N (lbs/acre)	P (lbs/acre)	K (lbs/acre)	Salt (lbs/acre)	Amount
WWS	Process wastewater	209.04	23.60	240.54	1,579.39	3,807,000.00 *gal*
MID Canal	Surface water	1.31	0.00	0.00	40.73	11,020,800.00 *gal*
Application event totals		210.36	23.60	240.54	1,620.12	

Application date	Application method	Precipitation 24 hours prior	Precipitation during application	Precipitation 24 hours following
09/18/2023	Surface (irrigation)	No precipitation	No precipitation	No precipitation

Source description	Material type	N (lbs/acre)	P (lbs/acre)	K (lbs/acre)	Salt (lbs/acre)	Amount
MID Canal	Surface water	1.14	0.00	0.00	35.27	9,542,400.00 *gal*
Application event totals		1.14	0.00	0.00	35.27	

Annual Report - General Order No. R5-2007-0035
Reporting period 01/01/2023 to 12/31/2023.

Field 8 - 07/05/2023: Corn, silage

Application date	Application method	Precipitation 24 hours prior	Precipitation during application	Precipitation 24 hours following
09/26/2023	Surface (irrigation)	No precipitation	No precipitation	No precipitation

Source description	Material type	N (lbs/acre)	P (lbs/acre)	K (lbs/acre)	Salt (lbs/acre)	Amount
MID Canal	Surface water	1.11	0.00	0.00	34.27	9,273,600.00 *gal*
Application event totals		1.11	0.00	0.00	34.27	

Field 9 - 11/01/2022: Wheat, silage, soft dough

Field name: Field 9

Crop: Wheat, silage, soft dough

Plant date: 11/01/2022

Application date	Application method	Precipitation 24 hours prior	Precipitation during application	Precipitation 24 hours following
04/29/2023	Surface (irrigation)	No precipitation	No precipitation	No precipitation

Source description	Material type	N (lbs/acre)	P (lbs/acre)	K (lbs/acre)	Salt (lbs/acre)	Amount
WWS	Process wastewater	223.47	17.51	252.50	1,737.61	3,321,000.00 *gal*
MID Canal	Surface water	1.42	0.00	0.00	44.15	10,752,000.00 *gal*
Application event totals		224.89	17.51	252.50	1,781.76	

Field 9 - 07/05/2023: Corn, silage

Field name: Field 9

Crop: Corn, silage

Plant date: 07/05/2023

Application date	Application method	Precipitation 24 hours prior	Precipitation during application	Precipitation 24 hours following
06/02/2023	Surface (irrigation)	No precipitation	No precipitation	No precipitation

Source description	Material type	N (lbs/acre)	P (lbs/acre)	K (lbs/acre)	Salt (lbs/acre)	Amount
Slurry	Process wastewater sludge	175.47	82.45	57.61	174.41	399,000.00 *gal*
Application event totals		175.47	82.45	57.61	174.41	

Annual Report - General Order No. R5-2007-0035
Reporting period 01/01/2023 to 12/31/2023.

Field 9 - 07/05/2023: Corn, silage

Application date	Application method	Precipitation 24 hours prior	Precipitation during application	Precipitation 24 hours following
06/27/2023	Surface (irrigation)	No precipitation	No precipitation	No precipitation

Source description	Material type	N (lbs/acre)	P (lbs/acre)	K (lbs/acre)	Salt (lbs/acre)	Amount
MID Canal	Surface water	1.67	0.00	0.00	51.88	12,633,600.00 *gal*
Application event totals		1.67	0.00	0.00	51.88	

Application date	Application method	Precipitation 24 hours prior	Precipitation during application	Precipitation 24 hours following
08/04/2023	Surface (irrigation)	No precipitation	No precipitation	No precipitation

Source description	Material type	N (lbs/acre)	P (lbs/acre)	K (lbs/acre)	Salt (lbs/acre)	Amount
MID Canal	Surface water	1.26	0.00	0.00	39.18	9,542,400.00 *gal*
Application event totals		1.26	0.00	0.00	39.18	

Application date	Application method	Precipitation 24 hours prior	Precipitation during application	Precipitation 24 hours following
08/24/2023	Surface (irrigation)	No precipitation	No precipitation	No precipitation

Source description	Material type	N (lbs/acre)	P (lbs/acre)	K (lbs/acre)	Salt (lbs/acre)	Amount
MID Canal	Surface water	1.35	0.00	0.00	41.94	10,214,400.00 *gal*
Application event totals		1.35	0.00	0.00	41.94	

Application date	Application method	Precipitation 24 hours prior	Precipitation during application	Precipitation 24 hours following
09/05/2023	Surface (irrigation)	No precipitation	No precipitation	No precipitation

Source description	Material type	N (lbs/acre)	P (lbs/acre)	K (lbs/acre)	Salt (lbs/acre)	Amount
MID Canal	Surface water	1.41	0.00	0.00	43.60	10,617,600.00 *gal*
Application event totals		1.41	0.00	0.00	43.60	

Application date	Application method	Precipitation 24 hours prior	Precipitation during application	Precipitation 24 hours following
09/20/2023	Surface (irrigation)	No precipitation	No precipitation	No precipitation

Source description	Material type	N (lbs/acre)	P (lbs/acre)	K (lbs/acre)	Salt (lbs/acre)	Amount
MID Canal	Surface water	1.17	0.00	0.00	36.42	8,870,400.00 *gal*
Application event totals		1.17	0.00	0.00	36.42	

Application date	Application method	Precipitation 24 hours prior	Precipitation during application	Precipitation 24 hours following
09/28/2023	Surface (irrigation)	No precipitation	No precipitation	No precipitation

Source description	Material type	N (lbs/acre)	P (lbs/acre)	K (lbs/acre)	Salt (lbs/acre)	Amount
MID Canal	Surface water	1.10	0.00	0.00	34.22	8,332,800.00 *gal*
Application event totals		1.10	0.00	0.00	34.22	

Field H2-1 - 10/25/2022: Wheat, silage, soft dough

Annual Report - General Order No. R5-2007-0035
Reporting period 01/01/2023 to 12/31/2023.

Field H2-1 - 10/25/2022: Wheat, silage, soft dough

Field name: Field H2-1

Crop: Wheat, silage, soft dough

Plant date: 10/25/2022

Application date	Application method	Precipitation 24 hours prior	Precipitation during application	Precipitation 24 hours following
09/21/2022	Broadcast/incorporate	No precipitation	No precipitation	No precipitation

Source description	Material type	N (lbs/acre)	P (lbs/acre)	K (lbs/acre)	Salt (lbs/acre)	Amount
Solid Manure	Corral solids	231.63	100.50	437.53	0.00	624.00 *ton*
Application event totals		231.63	100.50	437.53	0.00	

Application date	Application method	Precipitation 24 hours prior	Precipitation during application	Precipitation 24 hours following
04/26/2023	Surface (irrigation)	No precipitation	No precipitation	No precipitation

Source description	Material type	N (lbs/acre)	P (lbs/acre)	K (lbs/acre)	Salt (lbs/acre)	Amount
MID Canal	Surface water	1.22	0.00	0.00	37.89	13,036,800.00 *gal*
Application event totals		1.22	0.00	0.00	37.89	

Field H2-1 - 06/22/2023: Corn, silage

Field name: Field H2-1

Crop: Corn, silage

Plant date: 06/22/2023

Application date	Application method	Precipitation 24 hours prior	Precipitation during application	Precipitation 24 hours following
05/26/2023	Broadcast/incorporate	No precipitation	No precipitation	No precipitation

Source description	Material type	N (lbs/acre)	P (lbs/acre)	K (lbs/acre)	Salt (lbs/acre)	Amount
Solid Manure	Corral solids	257.82	66.23	201.05	5,073.67	662.00 *ton*
Application event totals		257.82	66.23	201.05	5,073.67	

Application date	Application method	Precipitation 24 hours prior	Precipitation during application	Precipitation 24 hours following
06/13/2023	Surface (irrigation)	No precipitation	No precipitation	No precipitation

Source description	Material type	N (lbs/acre)	P (lbs/acre)	K (lbs/acre)	Salt (lbs/acre)	Amount
MID Canal	Surface water	1.49	0.00	0.00	46.10	15,859,200.00 *gal*
Application event totals		1.49	0.00	0.00	46.10	

Annual Report - General Order No. R5-2007-0035
Reporting period 01/01/2023 to 12/31/2023.

Field H2-1 - 06/22/2023: Corn, silage

Application date	Application method	Precipitation 24 hours prior	Precipitation during application	Precipitation 24 hours following
07/21/2023	Surface (irrigation)	No precipitation	No precipitation	No precipitation

Source description	Material type	N (lbs/acre)	P (lbs/acre)	K (lbs/acre)	Salt (lbs/acre)	Amount
MID Canal	Surface water	1.37	0.00	0.00	42.58	14,649,600.00 *gal*
Application event totals		1.37	0.00	0.00	42.58	

Application date	Application method	Precipitation 24 hours prior	Precipitation during application	Precipitation 24 hours following
08/03/2023	Sidedress	No precipitation	No precipitation	No precipitation

Source description	Material type	N (lbs/acre)	P (lbs/acre)	K (lbs/acre)	Salt (lbs/acre)	Amount
Sol 30	Solid commercial fertilizer	33.78	0.00	0.00	0.00	
Application event totals		33.78	0.00	0.00	0.00	

Application date	Application method	Precipitation 24 hours prior	Precipitation during application	Precipitation 24 hours following
08/03/2023	Surface (irrigation)	No precipitation	No precipitation	No precipitation

Source description	Material type	N (lbs/acre)	P (lbs/acre)	K (lbs/acre)	Salt (lbs/acre)	Amount
MID Canal	Surface water	1.20	0.00	0.00	37.11	12,768,000.00 *gal*
Application event totals		1.20	0.00	0.00	37.11	

Application date	Application method	Precipitation 24 hours prior	Precipitation during application	Precipitation 24 hours following
08/16/2023	Surface (irrigation)	No precipitation	No precipitation	No precipitation

Source description	Material type	N (lbs/acre)	P (lbs/acre)	K (lbs/acre)	Salt (lbs/acre)	Amount
MID Canal	Surface water	1.12	0.00	0.00	34.77	11,961,600.00 *gal*
Application event totals		1.12	0.00	0.00	34.77	

Application date	Application method	Precipitation 24 hours prior	Precipitation during application	Precipitation 24 hours following
08/30/2023	Surface (irrigation)	No precipitation	No precipitation	No precipitation

Source description	Material type	N (lbs/acre)	P (lbs/acre)	K (lbs/acre)	Salt (lbs/acre)	Amount
MID Canal	Surface water	1.36	0.00	0.00	42.19	14,515,200.00 *gal*
Application event totals		1.36	0.00	0.00	42.19	

Application date	Application method	Precipitation 24 hours prior	Precipitation during application	Precipitation 24 hours following
09/12/2023	Surface (irrigation)	No precipitation	No precipitation	No precipitation

Source description	Material type	N (lbs/acre)	P (lbs/acre)	K (lbs/acre)	Salt (lbs/acre)	Amount
MID Canal	Surface water	1.06	0.00	0.00	32.82	11,289,600.00 *gal*
Application event totals		1.06	0.00	0.00	32.82	

Field H2-2 - 10/25/2022: Wheat Hay

Annual Report - General Order No. R5-2007-0035
Reporting period 01/01/2023 to 12/31/2023.

Field H2-2 - 10/25/2022: Wheat Hay

Field name: Field H2-2

Crop: Wheat Hay

Plant date: 10/25/2022

Application date	Application method	Precipitation 24 hours prior	Precipitation during application	Precipitation 24 hours following
09/26/2022	Broadcast/incorporate	No precipitation	No precipitation	No precipitation

Source description	Material type	N (lbs/acre)	P (lbs/acre)	K (lbs/acre)	Salt (lbs/acre)	Amount
Solid Manure	Separator solids	139.92	36.96	92.40	8,883.78	1,212.00 *ton*
Application event totals		139.92	36.96	92.40	8,883.78	

04/01/2023	Surface (irrigation)	No precipitation	No precipitation	No precipitation

Source description	Material type	N (lbs/acre)	P (lbs/acre)	K (lbs/acre)	Salt (lbs/acre)	Amount
MID Canal	Surface water	1.00	0.00	0.00	30.99	11,020,800.00 *gal*
Application event totals		1.00	0.00	0.00	30.99	

Field H2-2 - 06/27/2023: Corn, silage

Field name: Field H2-2

Crop: Corn, silage

Plant date: 06/27/2023

Application date	Application method	Precipitation 24 hours prior	Precipitation during application	Precipitation 24 hours following
04/27/2023	Broadcast/incorporate	No precipitation	No precipitation	No precipitation

Source description	Material type	N (lbs/acre)	P (lbs/acre)	K (lbs/acre)	Salt (lbs/acre)	Amount
Solid Manure	Corral solids	194.41	49.94	151.60	3,825.75	516.00 *ton*
Application event totals		194.41	49.94	151.60	3,825.75	

06/17/2023	Surface (irrigation)	No precipitation	No precipitation	No precipitation

Source description	Material type	N (lbs/acre)	P (lbs/acre)	K (lbs/acre)	Salt (lbs/acre)	Amount
MID Canal	Surface water	1.50	0.00	0.00	46.48	16,531,200.00 *gal*
Application event totals		1.50	0.00	0.00	46.48	

Annual Report - General Order No. R5-2007-0035
Reporting period 01/01/2023 to 12/31/2023.

Field H2-2 - 06/27/2023: Corn, silage

Application date	Application method	Precipitation 24 hours prior	Precipitation during application	Precipitation 24 hours following
07/25/2023	Surface (irrigation)	No precipitation	No precipitation	No precipitation

Source description	Material type	N (lbs/acre)	P (lbs/acre)	K (lbs/acre)	Salt (lbs/acre)	Amount
MID Canal	Surface water	1.29	0.00	0.00	40.06	14,246,400.00 *gal*
Application event totals		1.29	0.00	0.00	40.06	

Application date	Application method	Precipitation 24 hours prior	Precipitation during application	Precipitation 24 hours following
08/07/2023	Sidedress	No precipitation	No precipitation	No precipitation

Source description	Material type	N (lbs/acre)	P (lbs/acre)	K (lbs/acre)	Salt (lbs/acre)	Amount
Sol 30	Solid commercial fertilizer	33.78	0.00	0.00	0.00	
Application event totals		33.78	0.00	0.00	0.00	

Application date	Application method	Precipitation 24 hours prior	Precipitation during application	Precipitation 24 hours following
08/07/2023	Surface (irrigation)	No precipitation	No precipitation	No precipitation

Source description	Material type	N (lbs/acre)	P (lbs/acre)	K (lbs/acre)	Salt (lbs/acre)	Amount
MID Canal	Surface water	1.17	0.00	0.00	36.28	12,902,400.00 *gal*
Application event totals		1.17	0.00	0.00	36.28	

Application date	Application method	Precipitation 24 hours prior	Precipitation during application	Precipitation 24 hours following
08/20/2023	Surface (irrigation)	No precipitation	No precipitation	No precipitation

Source description	Material type	N (lbs/acre)	P (lbs/acre)	K (lbs/acre)	Salt (lbs/acre)	Amount
MID Canal	Surface water	1.26	0.00	0.00	38.93	13,843,200.00 *gal*
Application event totals		1.26	0.00	0.00	38.93	

Application date	Application method	Precipitation 24 hours prior	Precipitation during application	Precipitation 24 hours following
09/04/2023	Surface (irrigation)	No precipitation	No precipitation	No precipitation

Source description	Material type	N (lbs/acre)	P (lbs/acre)	K (lbs/acre)	Salt (lbs/acre)	Amount
MID Canal	Surface water	1.21	0.00	0.00	37.41	13,305,600.00 *gal*
Application event totals		1.21	0.00	0.00	37.41	

Application date	Application method	Precipitation 24 hours prior	Precipitation during application	Precipitation 24 hours following
09/16/2023	Surface (irrigation)	No precipitation	No precipitation	No precipitation

Source description	Material type	N (lbs/acre)	P (lbs/acre)	K (lbs/acre)	Salt (lbs/acre)	Amount
MID Canal	Surface water	1.00	0.00	0.00	30.99	11,020,800.00 *gal*
Application event totals		1.00	0.00	0.00	30.99	

Field H2-3 - 10/25/2022: Wheat, silage, soft dough

Annual Report - General Order No. R5-2007-0035
Reporting period 01/01/2023 to 12/31/2023.

Field H2-3 - 10/25/2022: Wheat, silage, soft dough

Field name: Field H2-3

Crop: Wheat, silage, soft dough

Plant date: 10/25/2022

Application date	Application method	Precipitation 24 hours prior	Precipitation during application	Precipitation 24 hours following
09/05/2022	Broadcast/incorporate	No precipitation	No precipitation	No precipitation

Source description	Material type	N (lbs/acre)	P (lbs/acre)	K (lbs/acre)	Salt (lbs/acre)	Amount
Solid Manure	Corral solids	281.35	122.07	531.44	0.00	792.00 *ton*
Application event totals		281.35	122.07	531.44	0.00	

Application date	Application method	Precipitation 24 hours prior	Precipitation during application	Precipitation 24 hours following
04/04/2023	Surface (irrigation)	No precipitation	No precipitation	No precipitation

Source description	Material type	N (lbs/acre)	P (lbs/acre)	K (lbs/acre)	Salt (lbs/acre)	Amount
MID Canal	Surface water	1.06	0.00	0.00	32.90	11,827,200.00 *gal*
Application event totals		1.06	0.00	0.00	32.90	

Field H2-3 - 06/01/2023: Corn, silage

Field name: Field H2-3

Crop: Corn, silage

Plant date: 06/01/2023

Application date	Application method	Precipitation 24 hours prior	Precipitation during application	Precipitation 24 hours following
04/27/2023	Broadcast/incorporate	No precipitation	No precipitation	No precipitation

Source description	Material type	N (lbs/acre)	P (lbs/acre)	K (lbs/acre)	Salt (lbs/acre)	Amount
Solid Manure	Separator solids	261.36	30.36	81.84	0.00	2,790.00 *ton*
Application event totals		261.36	30.36	81.84	0.00	

Application date	Application method	Precipitation 24 hours prior	Precipitation during application	Precipitation 24 hours following
06/06/2023	Surface (irrigation)	No precipitation	No precipitation	No precipitation

Source description	Material type	N (lbs/acre)	P (lbs/acre)	K (lbs/acre)	Salt (lbs/acre)	Amount
MID Canal	Surface water	1.58	0.00	0.00	48.98	17,606,400.00 *gal*
Application event totals		1.58	0.00	0.00	48.98	

Annual Report - General Order No. R5-2007-0035
Reporting period 01/01/2023 to 12/31/2023.

Field H2-3 - 06/01/2023: Corn, silage

Application date	Application method	Precipitation 24 hours prior	Precipitation during application	Precipitation 24 hours following
06/21/2023	Surface (irrigation)	No precipitation	No precipitation	No precipitation

Source description	Material type	N (lbs/acre)	P (lbs/acre)	K (lbs/acre)	Salt (lbs/acre)	Amount
MID Canal	Surface water	1.42	0.00	0.00	44.12	15,859,200.00 *gal*
Application event totals		1.42	0.00	0.00	44.12	

Application date	Application method	Precipitation 24 hours prior	Precipitation during application	Precipitation 24 hours following
07/10/2023	Sidedress	No precipitation	No precipitation	No precipitation

Source description	Material type	N (lbs/acre)	P (lbs/acre)	K (lbs/acre)	Salt (lbs/acre)	Amount
Sol 30	Solid commercial fertilizer	33.78	0.00	0.00	0.00	
Application event totals		33.78	0.00	0.00	0.00	

Application date	Application method	Precipitation 24 hours prior	Precipitation during application	Precipitation 24 hours following
07/10/2023	Surface (irrigation)	No precipitation	No precipitation	No precipitation

Source description	Material type	N (lbs/acre)	P (lbs/acre)	K (lbs/acre)	Salt (lbs/acre)	Amount
MID Canal	Surface water	1.19	0.00	0.00	37.01	13,305,600.00 *gal*
Application event totals		1.19	0.00	0.00	37.01	

Application date	Application method	Precipitation 24 hours prior	Precipitation during application	Precipitation 24 hours following
07/26/2023	Surface (irrigation)	No precipitation	No precipitation	No precipitation

Source description	Material type	N (lbs/acre)	P (lbs/acre)	K (lbs/acre)	Salt (lbs/acre)	Amount
MID Canal	Surface water	1.24	0.00	0.00	38.51	13,843,200.00 *gal*
Application event totals		1.24	0.00	0.00	38.51	

Application date	Application method	Precipitation 24 hours prior	Precipitation during application	Precipitation 24 hours following
08/14/2023	Surface (irrigation)	No precipitation	No precipitation	No precipitation

Source description	Material type	N (lbs/acre)	P (lbs/acre)	K (lbs/acre)	Salt (lbs/acre)	Amount
MID Canal	Surface water	1.07	0.00	0.00	33.27	11,961,600.00 *gal*
Application event totals		1.07	0.00	0.00	33.27	

Application date	Application method	Precipitation 24 hours prior	Precipitation during application	Precipitation 24 hours following
09/02/2023	Surface (irrigation)	No precipitation	No precipitation	No precipitation

Source description	Material type	N (lbs/acre)	P (lbs/acre)	K (lbs/acre)	Salt (lbs/acre)	Amount
MID Canal	Surface water	1.00	0.00	0.00	31.03	11,155,200.00 *gal*
Application event totals		1.00	0.00	0.00	31.03	

Field H2-4 - 10/25/2022: Wheat, silage, soft dough

Annual Report - General Order No. R5-2007-0035
Reporting period 01/01/2023 to 12/31/2023.

Field H2-4 - 10/25/2022: Wheat, silage, soft dough

Field name: Field H2-4

Crop: Wheat, silage, soft dough

Plant date: 10/25/2022

Application date	Application method	Precipitation 24 hours prior	Precipitation during application	Precipitation 24 hours following
09/15/2022	Broadcast/incorporate	No precipitation	No precipitation	No precipitation

Source description	Material type	N (lbs/acre)	P (lbs/acre)	K (lbs/acre)	Salt (lbs/acre)	Amount
Solid Manure	Corral solids	286.55	124.33	541.27	0.00	824.00 *ton*
Application event totals		286.55	124.33	541.27	0.00	

Application date	Application method	Precipitation 24 hours prior	Precipitation during application	Precipitation 24 hours following
04/08/2023	Surface (irrigation)	No precipitation	No precipitation	No precipitation

Source description	Material type	N (lbs/acre)	P (lbs/acre)	K (lbs/acre)	Salt (lbs/acre)	Amount
MID Canal	Surface water	1.07	0.00	0.00	33.30	12,230,400.00 *gal*
Application event totals		1.07	0.00	0.00	33.30	

Field H2-4 - 06/07/2023: Corn, silage

Field name: Field H2-4

Crop: Corn, silage

Plant date: 06/07/2023

Application date	Application method	Precipitation 24 hours prior	Precipitation during application	Precipitation 24 hours following
04/28/2023	Broadcast/incorporate	No precipitation	No precipitation	No precipitation

Source description	Material type	N (lbs/acre)	P (lbs/acre)	K (lbs/acre)	Salt (lbs/acre)	Amount
Solid Manure	Separator solids	181.76	21.11	56.91	0.00	1,982.00 *ton*
Application event totals		181.76	21.11	56.91	0.00	

Application date	Application method	Precipitation 24 hours prior	Precipitation during application	Precipitation 24 hours following
06/10/2023	Surface (irrigation)	No precipitation	No precipitation	No precipitation

Source description	Material type	N (lbs/acre)	P (lbs/acre)	K (lbs/acre)	Salt (lbs/acre)	Amount
MID Canal	Surface water	1.64	0.00	0.00	50.87	18,681,600.00 *gal*
Application event totals		1.64	0.00	0.00	50.87	

Annual Report - General Order No. R5-2007-0035
Reporting period 01/01/2023 to 12/31/2023.

Field H2-4 - 06/07/2023: Corn, silage

Application date	Application method	Precipitation 24 hours prior	Precipitation during application	Precipitation 24 hours following
06/25/2023	Surface (irrigation)	No precipitation	No precipitation	No precipitation

Source description	Material type	N (lbs/acre)	P (lbs/acre)	K (lbs/acre)	Salt (lbs/acre)	Amount
MID Canal	Surface water	1.48	0.00	0.00	45.75	16,800,000.00 *gal*
Application event totals		1.48	0.00	0.00	45.75	

Application date	Application method	Precipitation 24 hours prior	Precipitation during application	Precipitation 24 hours following
07/14/2023	Sidedress	No precipitation	No precipitation	No precipitation

Source description	Material type	N (lbs/acre)	P (lbs/acre)	K (lbs/acre)	Salt (lbs/acre)	Amount
Sol 30	Solid commercial fertilizer	33.78	0.00	0.00	0.00	
Application event totals		33.78	0.00	0.00	0.00	

Application date	Application method	Precipitation 24 hours prior	Precipitation during application	Precipitation 24 hours following
07/14/2023	Surface (irrigation)	No precipitation	No precipitation	No precipitation

Source description	Material type	N (lbs/acre)	P (lbs/acre)	K (lbs/acre)	Salt (lbs/acre)	Amount
MID Canal	Surface water	1.33	0.00	0.00	41.36	15,187,200.00 *gal*
Application event totals		1.33	0.00	0.00	41.36	

Application date	Application method	Precipitation 24 hours prior	Precipitation during application	Precipitation 24 hours following
07/30/2023	Surface (irrigation)	No precipitation	No precipitation	No precipitation

Source description	Material type	N (lbs/acre)	P (lbs/acre)	K (lbs/acre)	Salt (lbs/acre)	Amount
MID Canal	Surface water	1.15	0.00	0.00	35.50	13,036,800.00 *gal*
Application event totals		1.15	0.00	0.00	35.50	

Application date	Application method	Precipitation 24 hours prior	Precipitation during application	Precipitation 24 hours following
08/18/2023	Surface (irrigation)	No precipitation	No precipitation	No precipitation

Source description	Material type	N (lbs/acre)	P (lbs/acre)	K (lbs/acre)	Salt (lbs/acre)	Amount
MID Canal	Surface water	1.19	0.00	0.00	36.96	13,574,400.00 *gal*
Application event totals		1.19	0.00	0.00	36.96	

Application date	Application method	Precipitation 24 hours prior	Precipitation during application	Precipitation 24 hours following
09/06/2023	Surface (irrigation)	No precipitation	No precipitation	No precipitation

Source description	Material type	N (lbs/acre)	P (lbs/acre)	K (lbs/acre)	Salt (lbs/acre)	Amount
MID Canal	Surface water	1.04	0.00	0.00	32.21	11,827,200.00 *gal*
Application event totals		1.04	0.00	0.00	32.21	

Annual Report - General Order No. R5-2007-0035
Reporting period 01/01/2023 to 12/31/2023.

B. NUTRIENT BUDGET

Field 1 - 11/01/2022: Wheat, silage, soft dough

Field name: Field 1 Crop: Wheat, silage, soft dough Plant date: 11/01/2022

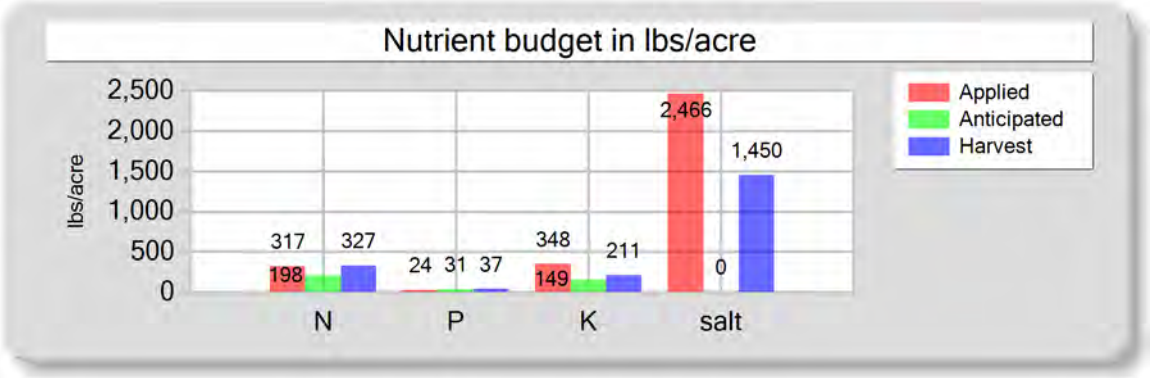

	Total N (lbs/acre)	Total P (lbs/acre)	Total K (lbs/acre)	Total salt (lbs/acre)
Existing soil nutrient content	0.00	0.00	0.00	0.00
Plowdown credit	0.00	0.00	0.00	0.00
Commercial fertilizer / Other	0.00	0.00	0.00	0.00
Dry manure	0.00	0.00	0.00	0.00
Process wastewater	308.16	24.14	348.20	2,396.14
Fresh water	2.24	0.00	0.00	69.54
Atmospheric deposition	7.00	0.00	0.00	0.00
Total nutrients applied	317.40	24.14	348.20	2,465.68
Anticipated crop nutrient removal	198.00	30.60	149.40	0.00
Actual crop nutrient removal	327.06	37.26	211.14	1,449.58
Nutrient balance	-9.66	-13.12	137.06	1,016.10
Applied to removed ratio	0.97	0.65	1.65	1.70

Fresh water applied	
20,966,400.00	*gallons*
772.12	*acre-inches*
9.90	*inches/acre*

Process wastewater applied	
5,670,000.00	*gallons*
208.81	*acre-inches*
2.68	*inches/acre*

Total harvests for the crop	
1	*harvests*

Annual Report - General Order No. R5-2007-0035
Reporting period 01/01/2023 to 12/31/2023.

Field 1 - 06/01/2023: Corn, silage

Field name: Field 1 Crop: Corn, silage Plant date: 06/01/2023

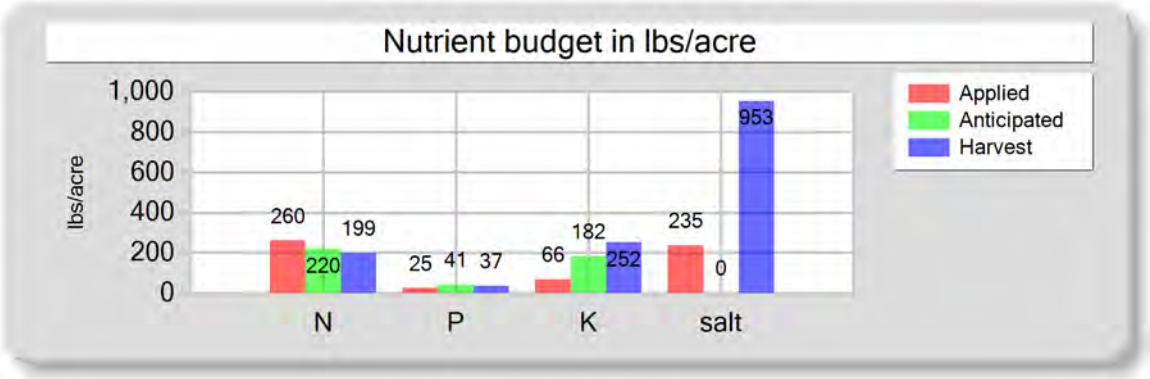

	Total N (lbs/acre)	Total P (lbs/acre)	Total K (lbs/acre)	Total salt (lbs/acre)
Existing soil nutrient content	0.00	0.00	0.00	0.00
Plowdown credit	0.00	0.00	0.00	0.00
Commercial fertilizer / Other	33.78	0.00	0.00	0.00
Dry manure	211.77	24.60	66.31	0.00
Process wastewater	0.00	0.00	0.00	0.00
Fresh water	7.59	0.00	0.00	235.36
Atmospheric deposition	7.00	0.00	0.00	0.00
Total nutrients applied	260.14	24.60	66.31	235.36
Anticipated crop nutrient removal	220.00	41.25	181.50	0.00
Actual crop nutrient removal	198.94	36.54	251.72	953.45
Nutrient balance	61.20	-11.94	-185.41	-718.09
Applied to removed ratio	1.31	0.67	0.26	0.25

Fresh water applied	
70,963,200.00	*gallons*
2,613.33	*acre-inches*
33.50	*inches/acre*

Process wastewater applied	
0.00	*gallons*
0.00	*acre-inches*
0.00	*inches/acre*

Total harvests for the crop	
1	*harvests*

Annual Report - General Order No. R5-2007-0035
Reporting period 01/01/2023 to 12/31/2023.

Field 10 - 11/01/2022: Wheat, silage, soft dough

Field name: Field 10 Crop: Wheat, silage, soft dough Plant date: 11/01/2022

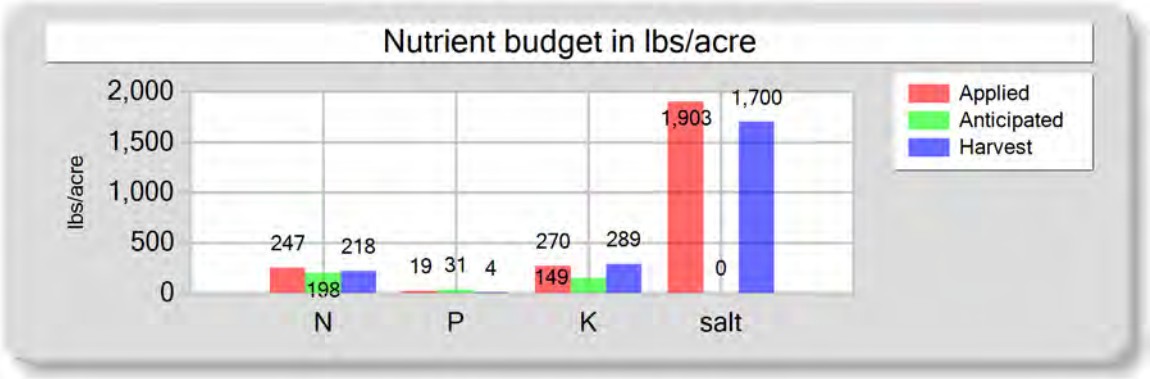

	Total N (lbs/acre)	Total P (lbs/acre)	Total K (lbs/acre)	Total salt (lbs/acre)
Existing soil nutrient content	0.00	0.00	0.00	0.00
Plowdown credit	0.00	0.00	0.00	0.00
Commercial fertilizer / Other	0.00	0.00	0.00	0.00
Dry manure	0.00	0.00	0.00	0.00
Process wastewater	238.87	18.71	269.91	1,857.38
Fresh water	1.46	0.00	0.00	45.35
Atmospheric deposition	7.00	0.00	0.00	0.00
Total nutrients applied	247.34	18.71	269.91	1,902.73
Anticipated crop nutrient removal	198.00	30.60	149.40	0.00
Actual crop nutrient removal	218.40	3.90	288.60	1,699.82
Nutrient balance	28.94	14.81	-18.69	202.91
Applied to removed ratio	1.13	4.80	0.94	1.12

Fresh water applied	
4,032,000.00	*gallons*
148.48	*acre-inches*
6.46	*inches/acre*

Process wastewater applied	
1,296,000.00	*gallons*
47.73	*acre-inches*
2.08	*inches/acre*

Total harvests for the crop	
1	*harvests*

Annual Report - General Order No. R5-2007-0035
Reporting period 01/01/2023 to 12/31/2023.

Field 10 - 06/28/2023: Corn, silage

Field name: Field 10 Crop: Corn, silage Plant date: 06/28/2023

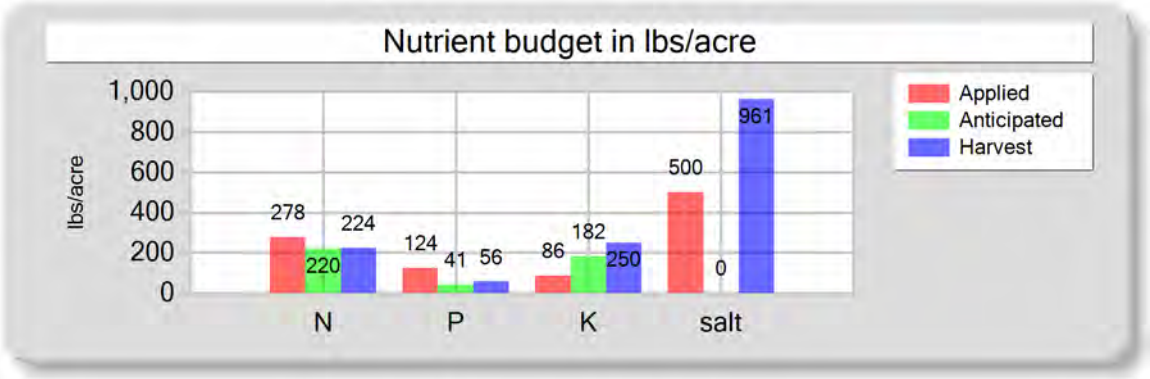

	Total N (lbs/acre)	Total P (lbs/acre)	Total K (lbs/acre)	Total salt (lbs/acre)
Existing soil nutrient content	0.00	0.00	0.00	0.00
Plowdown credit	0.00	0.00	0.00	0.00
Commercial fertilizer / Other	0.00	0.00	0.00	0.00
Dry manure	0.00	0.00	0.00	0.00
Process wastewater	263.20	123.67	86.41	261.62
Fresh water	7.70	0.00	0.00	238.85
Atmospheric deposition	7.00	0.00	0.00	0.00
Total nutrients applied	277.91	123.67	86.41	500.46
Anticipated crop nutrient removal	220.00	41.25	181.50	0.00
Actual crop nutrient removal	224.40	56.10	249.90	961.35
Nutrient balance	53.51	67.57	-163.49	-460.89
Applied to removed ratio	1.24	2.20	0.35	0.52

Fresh water applied	
21,235,200.00	*gallons*
782.02	*acre-inches*
34.00	*inches/acre*

Process wastewater applied	
218,500.00	*gallons*
8.05	*acre-inches*
0.35	*inches/acre*

Total harvests for the crop	
1	*harvests*

Annual Report - General Order No. R5-2007-0035
Reporting period 01/01/2023 to 12/31/2023.

Field 11 - 11/01/2022: Wheat, silage, soft dough

Field name: Field 11 Crop: Wheat, silage, soft dough Plant date: 11/01/2022

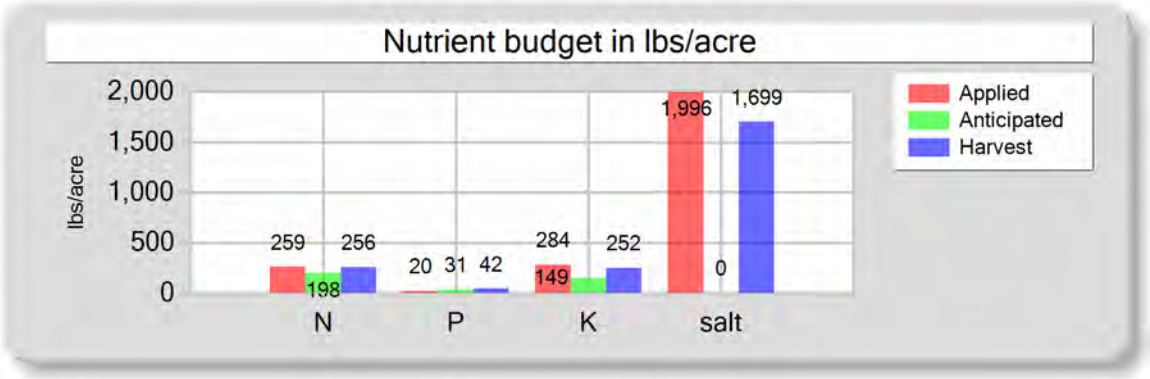

	Total N (lbs/acre)	Total P (lbs/acre)	Total K (lbs/acre)	Total salt (lbs/acre)
Existing soil nutrient content	0.00	0.00	0.00	0.00
Plowdown credit	0.00	0.00	0.00	0.00
Commercial fertilizer / Other	0.00	0.00	0.00	0.00
Dry manure	0.00	0.00	0.00	0.00
Process wastewater	250.93	19.66	283.53	1,951.14
Fresh water	1.45	0.00	0.00	44.80
Atmospheric deposition	7.00	0.00	0.00	0.00
Total nutrients applied	259.38	19.66	283.53	1,995.94
Anticipated crop nutrient removal	198.00	30.60	149.40	0.00
Actual crop nutrient removal	256.30	41.94	251.64	1,699.22
Nutrient balance	3.08	-22.28	31.89	296.72
Applied to removed ratio	1.01	0.47	1.13	1.17

Fresh water applied	
9,004,800.00	*gallons*
331.62	*acre-inches*
6.38	*inches/acre*

Process wastewater applied	
3,078,000.00	*gallons*
113.35	*acre-inches*
2.18	*inches/acre*

Total harvests for the crop	
1	*harvests*

Annual Report - General Order No. R5-2007-0035
Reporting period 01/01/2023 to 12/31/2023.

Field 11 - 06/28/2023: Corn, silage

Field name: Field 11 Crop: Corn, silage Plant date: 06/28/2023

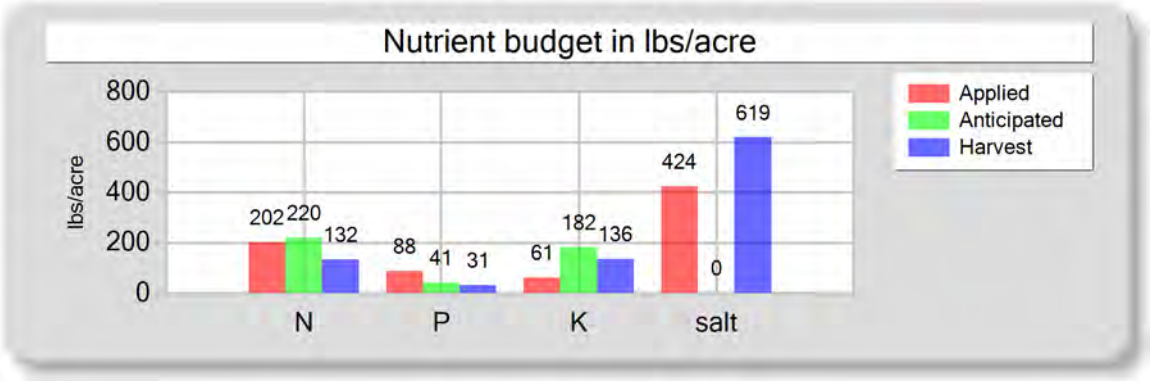

	Total N (lbs/acre)	Total P (lbs/acre)	Total K (lbs/acre)	Total salt (lbs/acre)
Existing soil nutrient content	0.00	0.00	0.00	0.00
Plowdown credit	0.00	0.00	0.00	0.00
Commercial fertilizer / Other	0.00	0.00	0.00	0.00
Dry manure	0.00	0.00	0.00	0.00
Process wastewater	187.28	88.00	61.49	186.15
Fresh water	7.68	0.00	0.00	238.03
Atmospheric deposition	7.00	0.00	0.00	0.00
Total nutrients applied	201.96	88.00	61.49	424.18
Anticipated crop nutrient removal	220.00	41.25	181.50	0.00
Actual crop nutrient removal	132.24	31.32	135.72	618.88
Nutrient balance	69.72	56.68	-74.23	-194.70
Applied to removed ratio	1.53	2.81	0.45	0.69

Fresh water applied	
47,846,400.00	*gallons*
1,762.02	*acre-inches*
33.89	*inches/acre*

Process wastewater applied	
351,500.00	*gallons*
12.94	*acre-inches*
0.25	*inches/acre*

Total harvests for the crop	
1	*harvests*

Annual Report - General Order No. R5-2007-0035
Reporting period 01/01/2023 to 12/31/2023.

Field 2 - 11/01/2022: Wheat, silage, soft dough

Field name: Field 2 Crop: Wheat, silage, soft dough Plant date: 11/01/2022

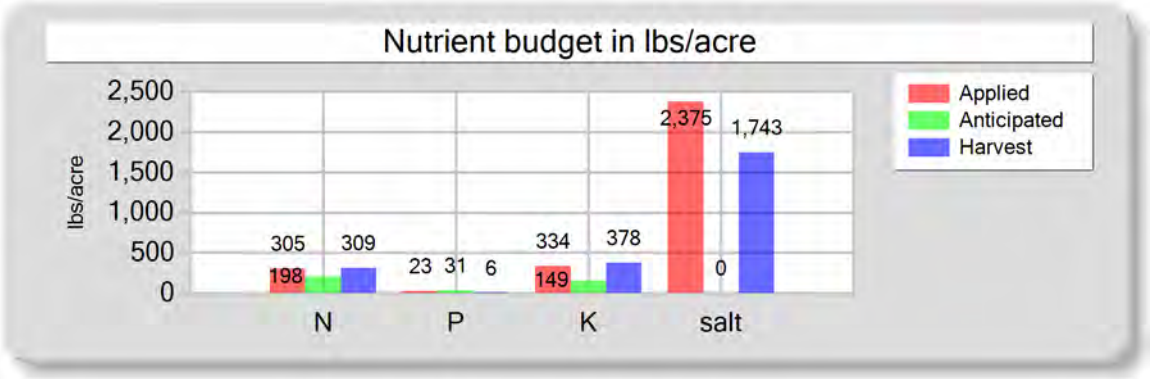

	Total N (lbs/acre)	Total P (lbs/acre)	Total K (lbs/acre)	Total salt (lbs/acre)
Existing soil nutrient content	0.00	0.00	0.00	0.00
Plowdown credit	0.00	0.00	0.00	0.00
Commercial fertilizer / Other	0.00	0.00	0.00	0.00
Dry manure	0.00	0.00	0.00	0.00
Process wastewater	295.69	23.17	334.10	2,299.15
Fresh water	2.46	0.00	0.00	76.30
Atmospheric deposition	7.00	0.00	0.00	0.00
Total nutrients applied	305.15	23.17	334.10	2,375.45
Anticipated crop nutrient removal	198.00	30.60	149.40	0.00
Actual crop nutrient removal	308.88	5.72	377.52	1,743.34
Nutrient balance	-3.73	17.45	-43.42	632.11
Applied to removed ratio	0.99	4.05	0.88	1.36

Fresh water applied	
21,235,200.00	*gallons*
782.02	*acre-inches*
10.86	*inches/acre*

Process wastewater applied	
5,022,000.00	*gallons*
184.94	*acre-inches*
2.57	*inches/acre*

Total harvests for the crop	
1	*harvests*

Annual Report - General Order No. R5-2007-0035
Reporting period 01/01/2023 to 12/31/2023.

Field 2 - 07/05/2023: Corn, silage

Field name: Field 2 Crop: Corn, silage Plant date: 07/05/2023

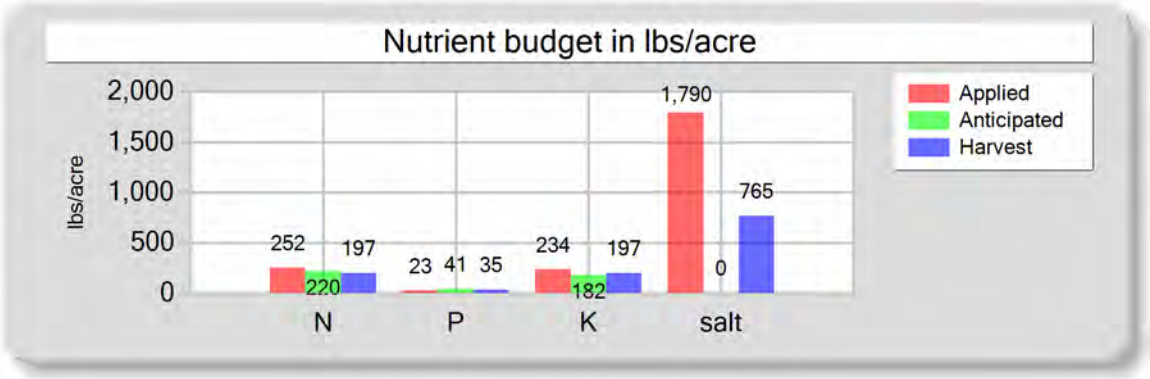

	Total N (lbs/acre)	Total P (lbs/acre)	Total K (lbs/acre)	Total salt (lbs/acre)
Existing soil nutrient content	0.00	0.00	0.00	0.00
Plowdown credit	0.00	0.00	0.00	0.00
Commercial fertilizer / Other	33.78	0.00	0.00	0.00
Dry manure	0.00	0.00	0.00	0.00
Process wastewater	202.97	22.94	233.86	1,535.52
Fresh water	8.21	0.00	0.00	254.49
Atmospheric deposition	7.00	0.00	0.00	0.00
Total nutrients applied	251.96	22.94	233.86	1,790.01
Anticipated crop nutrient removal	220.00	41.25	181.50	0.00
Actual crop nutrient removal	197.22	34.60	197.22	764.66
Nutrient balance	54.74	-11.66	36.64	1,025.35
Applied to removed ratio	1.28	0.66	1.19	2.34

Fresh water applied	
70,828,800.00	*gallons*
2,608.38	*acre-inches*
36.23	*inches/acre*

Process wastewater applied	
3,807,000.00	*gallons*
140.20	*acre-inches*
1.95	*inches/acre*

Total harvests for the crop	
1	*harvests*

Annual Report - General Order No. R5-2007-0035
Reporting period 01/01/2023 to 12/31/2023.

Field 3 - 11/01/2022: Wheat, silage, soft dough

Field name: Field 3 Crop: Wheat, silage, soft dough Plant date: 11/01/2022

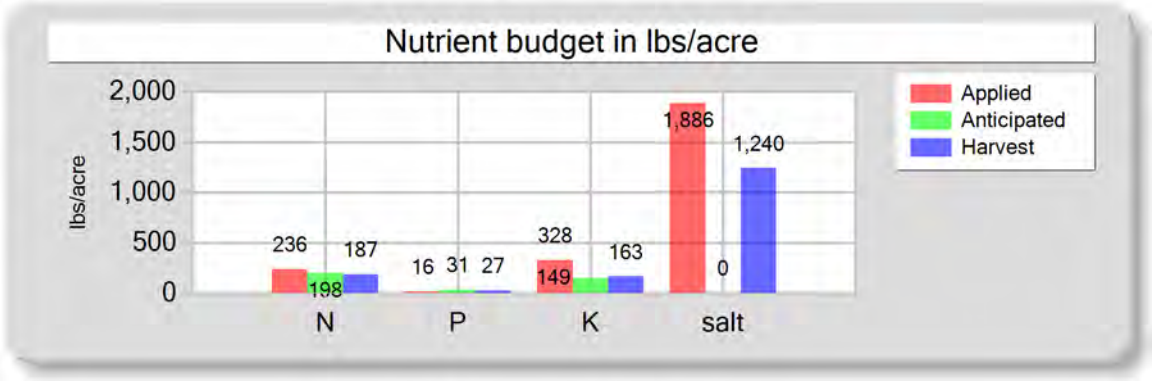

	Total N (lbs/acre)	Total P (lbs/acre)	Total K (lbs/acre)	Total salt (lbs/acre)
Existing soil nutrient content	0.00	0.00	0.00	0.00
Plowdown credit	0.00	0.00	0.00	0.00
Commercial fertilizer / Other	0.00	0.00	0.00	0.00
Dry manure	0.00	0.00	0.00	0.00
Process wastewater	227.54	16.02	327.75	1,839.67
Fresh water	1.49	0.00	0.00	46.04
Atmospheric deposition	7.00	0.00	0.00	0.00
Total nutrients applied	236.02	16.02	327.75	1,885.71
Anticipated crop nutrient removal	198.00	30.60	149.40	0.00
Actual crop nutrient removal	187.00	27.20	163.20	1,240.32
Nutrient balance	49.02	-11.18	164.55	645.39
Applied to removed ratio	1.26	0.59	2.01	1.52

Fresh water applied	
13,171,200.00	*gallons*
485.05	*acre-inches*
6.55	*inches/acre*

Process wastewater applied	
4,293,000.00	*gallons*
158.10	*acre-inches*
2.14	*inches/acre*

Total harvests for the crop	
1	*harvests*

Annual Report - General Order No. R5-2007-0035
Reporting period 01/01/2023 to 12/31/2023.

Field 3 - 06/27/2023: Corn, silage

Field name: Field 3 Crop: Corn, silage Plant date: 06/27/2023

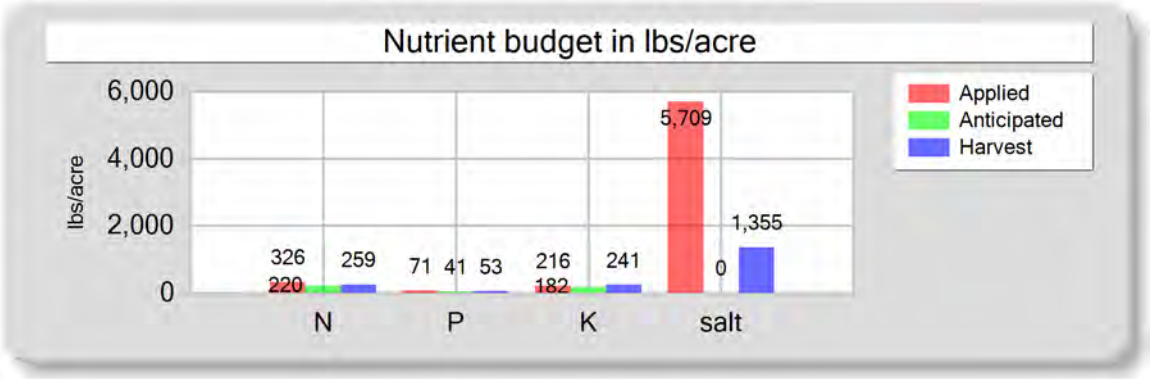

	Total N (lbs/acre)	Total P (lbs/acre)	Total K (lbs/acre)	Total salt (lbs/acre)
Existing soil nutrient content	0.00	0.00	0.00	0.00
Plowdown credit	0.00	0.00	0.00	0.00
Commercial fertilizer / Other	33.78	0.00	0.00	0.00
Dry manure	277.30	71.23	216.24	5,456.88
Process wastewater	0.00	0.00	0.00	0.00
Fresh water	8.12	0.00	0.00	251.84
Atmospheric deposition	7.00	0.00	0.00	0.00
Total nutrients applied	326.20	71.23	216.24	5,708.72
Anticipated crop nutrient removal	220.00	41.25	181.50	0.00
Actual crop nutrient removal	258.72	52.92	241.08	1,355.46
Nutrient balance	67.48	18.31	-24.84	4,353.26
Applied to removed ratio	1.26	1.35	0.90	4.21

Fresh water applied	
72,038,400.00	*gallons*
2,652.93	*acre-inches*
35.85	*inches/acre*

Process wastewater applied	
0.00	*gallons*
0.00	*acre-inches*
0.00	*inches/acre*

Total harvests for the crop	
1	*harvests*

Annual Report - General Order No. R5-2007-0035
Reporting period 01/01/2023 to 12/31/2023.

Field 6 - 11/01/2022: Wheat, silage, soft dough

Field name: Field 6 Crop: Wheat, silage, soft dough Plant date: 11/01/2022

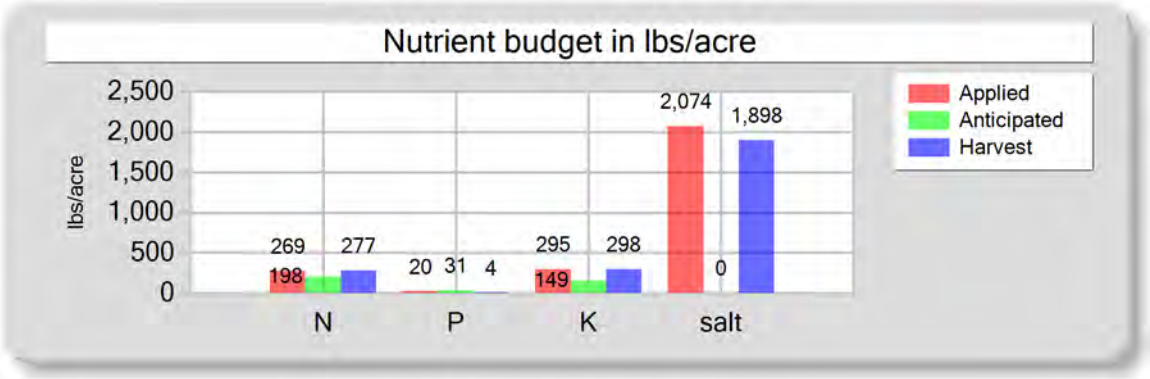

	Total N (lbs/acre)	Total P (lbs/acre)	Total K (lbs/acre)	Total salt (lbs/acre)
Existing soil nutrient content	0.00	0.00	0.00	0.00
Plowdown credit	0.00	0.00	0.00	0.00
Commercial fertilizer / Other	0.00	0.00	0.00	0.00
Dry manure	0.00	0.00	0.00	0.00
Process wastewater	260.97	20.45	294.87	2,029.19
Fresh water	1.46	0.00	0.00	45.20
Atmospheric deposition	7.00	0.00	0.00	0.00
Total nutrients applied	269.43	20.45	294.87	2,074.39
Anticipated crop nutrient removal	198.00	30.60	149.40	0.00
Actual crop nutrient removal	277.44	4.08	297.84	1,897.85
Nutrient balance	-8.01	16.37	-2.97	176.53
Applied to removed ratio	0.97	5.01	0.99	1.09

Fresh water applied	
8,736,000.00	*gallons*
321.72	*acre-inches*
6.43	*inches/acre*

Process wastewater applied	
3,078,000.00	*gallons*
113.35	*acre-inches*
2.27	*inches/acre*

Total harvests for the crop	
1	*harvests*

Annual Report - General Order No. R5-2007-0035
Reporting period 01/01/2023 to 12/31/2023.

Field 6 - 06/28/2023: Corn, silage

Field name: Field 6 Crop: Corn, silage Plant date: 06/28/2023

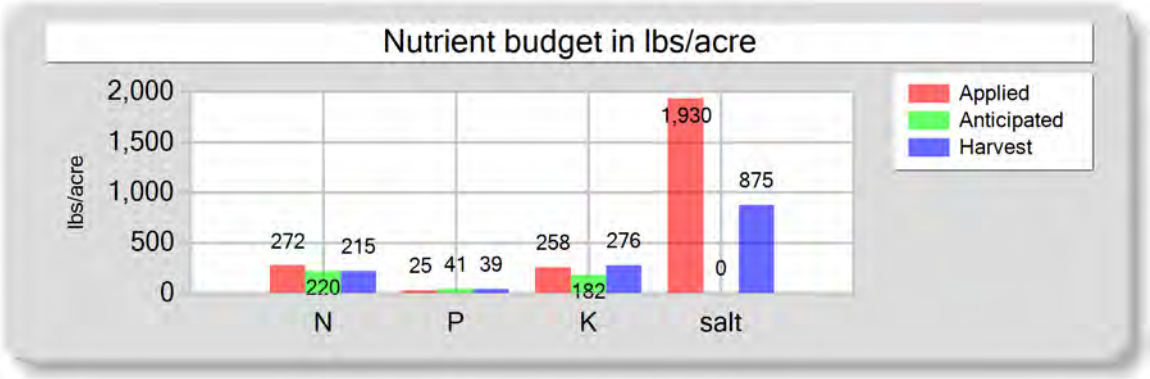

	Total N (lbs/acre)	Total P (lbs/acre)	Total K (lbs/acre)	Total salt (lbs/acre)
Existing soil nutrient content	0.00	0.00	0.00	0.00
Plowdown credit	0.00	0.00	0.00	0.00
Commercial fertilizer / Other	33.78	0.00	0.00	0.00
Dry manure	0.00	0.00	0.00	0.00
Process wastewater	223.87	25.31	257.94	1,693.65
Fresh water	7.63	0.00	0.00	236.43
Atmospheric deposition	7.00	0.00	0.00	0.00
Total nutrients applied	272.28	25.31	257.94	1,930.07
Anticipated crop nutrient removal	220.00	41.25	181.50	0.00
Actual crop nutrient removal	215.28	38.64	276.00	874.70
Nutrient balance	57.00	-13.33	-18.06	1,055.38
Applied to removed ratio	1.26	0.65	0.93	2.21

Fresh water applied	
45,696,000.00	*gallons*
1,682.83	*acre-inches*
33.66	*inches/acre*

Process wastewater applied	
2,916,000.00	*gallons*
107.39	*acre-inches*
2.15	*inches/acre*

Total harvests for the crop	
1	*harvests*

Annual Report - General Order No. R5-2007-0035
Reporting period 01/01/2023 to 12/31/2023.

Field 7 - 11/01/2022: Wheat, silage, soft dough

Field name: Field 7 Crop: Wheat, silage, soft dough Plant date: 11/01/2022

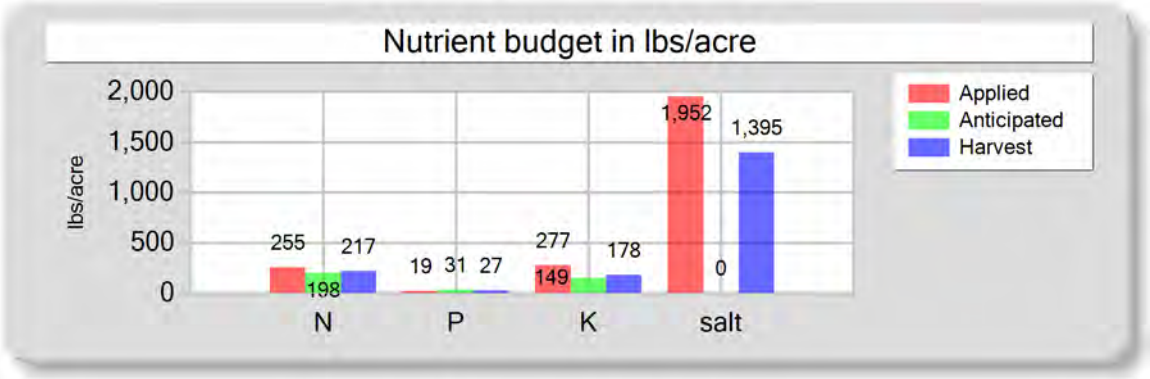

	Total N (lbs/acre)	Total P (lbs/acre)	Total K (lbs/acre)	Total salt (lbs/acre)
Existing soil nutrient content	0.00	0.00	0.00	0.00
Plowdown credit	0.00	0.00	0.00	0.00
Commercial fertilizer / Other	0.00	0.00	0.00	0.00
Dry manure	0.00	0.00	0.00	0.00
Process wastewater	246.09	19.22	277.14	1,907.13
Fresh water	1.44	0.00	0.00	44.70
Atmospheric deposition	7.00	0.00	0.00	0.00
Total nutrients applied	254.53	19.22	277.14	1,951.83
Anticipated crop nutrient removal	198.00	30.60	149.40	0.00
Actual crop nutrient removal	217.28	27.16	178.48	1,395.48
Nutrient balance	37.25	-7.94	98.66	556.35
Applied to removed ratio	1.17	0.71	1.55	1.40

Fresh water applied	
2,419,200.00	*gallons*
89.09	*acre-inches*
6.36	*inches/acre*

Process wastewater applied	
810,000.00	*gallons*
29.83	*acre-inches*
2.13	*inches/acre*

Total harvests for the crop	
1	*harvests*

Annual Report - General Order No. R5-2007-0035
Reporting period 01/01/2023 to 12/31/2023.

Field 7 - 06/22/2023: Corn, silage

Field name: Field 7 Crop: Corn, silage Plant date: 06/22/2023

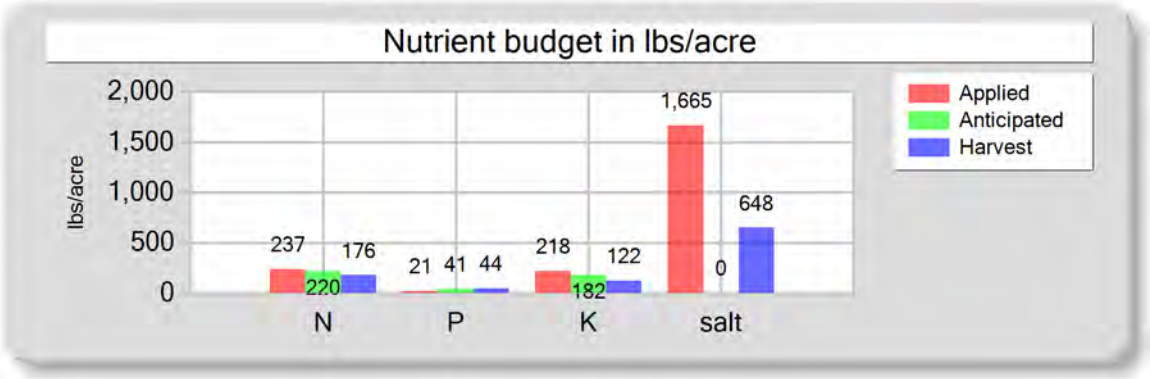

	Total N (lbs/acre)	Total P (lbs/acre)	Total K (lbs/acre)	Total salt (lbs/acre)
Existing soil nutrient content	0.00	0.00	0.00	0.00
Plowdown credit	0.00	0.00	0.00	0.00
Commercial fertilizer / Other	33.78	0.00	0.00	0.00
Dry manure	0.00	0.00	0.00	0.00
Process wastewater	189.03	21.34	217.51	1,428.18
Fresh water	7.65	0.00	0.00	237.17
Atmospheric deposition	7.00	0.00	0.00	0.00
Total nutrients applied	237.46	21.34	217.51	1,665.35
Anticipated crop nutrient removal	220.00	41.25	181.50	0.00
Actual crop nutrient removal	175.76	43.94	121.68	647.57
Nutrient balance	61.70	-22.60	95.83	1,017.77
Applied to removed ratio	1.35	0.49	1.79	2.57

Fresh water applied	
12,835,200.00	*gallons*
472.68	*acre-inches*
33.76	*inches/acre*

Process wastewater applied	
688,500.00	*gallons*
25.36	*acre-inches*
1.81	*inches/acre*

Total harvests for the crop	
1	*harvests*

Annual Report - General Order No. R5-2007-0035
Reporting period 01/01/2023 to 12/31/2023.

Field 8 - 11/01/2022: Wheat, silage, soft dough

Field name: Field 8 Crop: Wheat, silage, soft dough Plant date: 11/01/2022

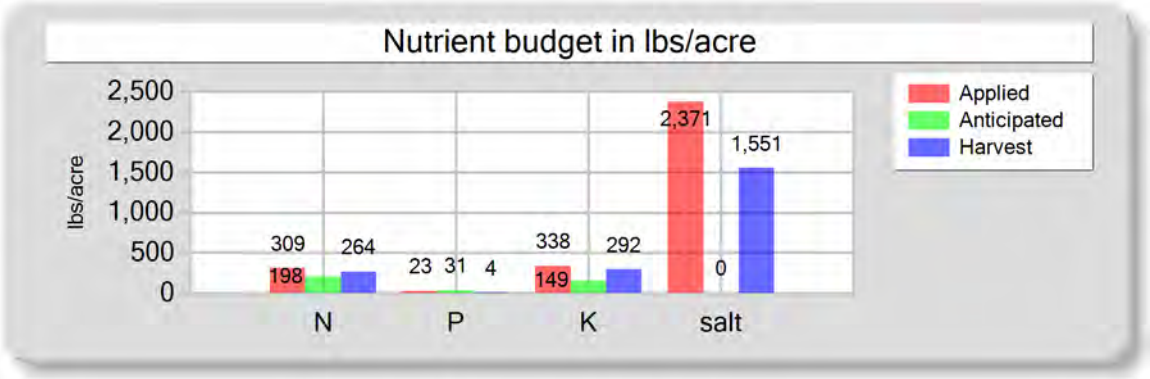

	Total N (lbs/acre)	Total P (lbs/acre)	Total K (lbs/acre)	Total salt (lbs/acre)
Existing soil nutrient content	0.00	0.00	0.00	0.00
Plowdown credit	0.00	0.00	0.00	0.00
Commercial fertilizer / Other	0.00	0.00	0.00	0.00
Dry manure	0.00	0.00	0.00	0.00
Process wastewater	300.23	23.44	338.11	2,326.70
Fresh water	1.43	0.00	0.00	44.21
Atmospheric deposition	7.00	0.00	0.00	0.00
Total nutrients applied	308.66	23.44	338.11	2,370.91
Anticipated crop nutrient removal	198.00	30.60	149.40	0.00
Actual crop nutrient removal	263.90	4.06	292.32	1,550.51
Nutrient balance	44.76	19.38	45.79	820.39
Applied to removed ratio	1.17	5.77	1.16	1.53

Fresh water applied	
11,961,600.00	*gallons*
440.51	*acre-inches*
6.29	*inches/acre*

Process wastewater applied	
4,941,000.00	*gallons*
181.96	*acre-inches*
2.60	*inches/acre*

Total harvests for the crop	
1	*harvests*

Annual Report - General Order No. R5-2007-0035
Reporting period 01/01/2023 to 12/31/2023.

Field 8 - 07/05/2023: Corn, silage

Field name: Field 8 Crop: Corn, silage Plant date: 07/05/2023

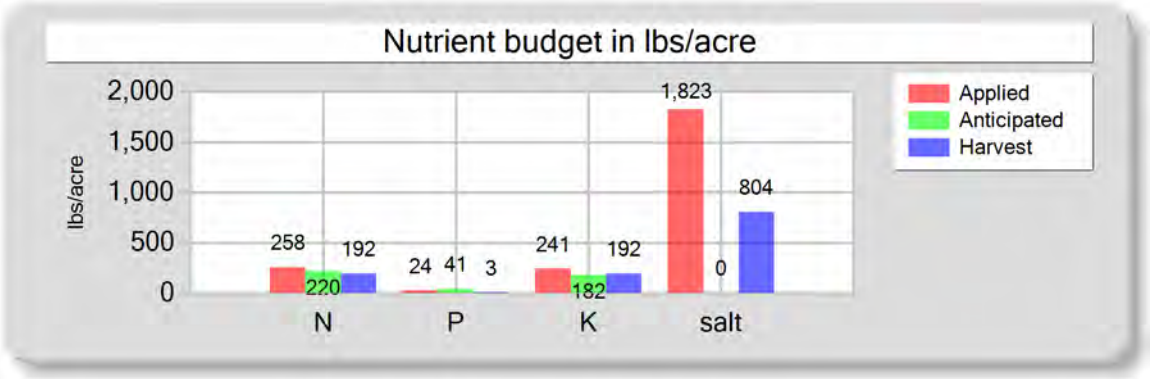

	Total N (lbs/acre)	Total P (lbs/acre)	Total K (lbs/acre)	Total salt (lbs/acre)
Existing soil nutrient content	0.00	0.00	0.00	0.00
Plowdown credit	0.00	0.00	0.00	0.00
Commercial fertilizer / Other	33.78	0.00	0.00	0.00
Dry manure	0.00	0.00	0.00	0.00
Process wastewater	209.04	23.60	240.54	1,579.39
Fresh water	7.85	0.00	0.00	243.38
Atmospheric deposition	7.00	0.00	0.00	0.00
Total nutrients applied	257.67	23.60	240.54	1,822.77
Anticipated crop nutrient removal	220.00	41.25	181.50	0.00
Actual crop nutrient removal	192.00	3.20	192.00	804.29
Nutrient balance	65.67	20.40	48.54	1,018.49
Applied to removed ratio	1.34	7.38	1.25	2.27

Fresh water applied	
65,856,000.00	*gallons*
2,425.25	*acre-inches*
34.65	*inches/acre*

Process wastewater applied	
3,807,000.00	*gallons*
140.20	*acre-inches*
2.00	*inches/acre*

Total harvests for the crop	
1	*harvests*

Annual Report - General Order No. R5-2007-0035
Reporting period 01/01/2023 to 12/31/2023.

Field 9 - 11/01/2022: Wheat, silage, soft dough

Field name: Field 9 Crop: Wheat, silage, soft dough Plant date: 11/01/2022

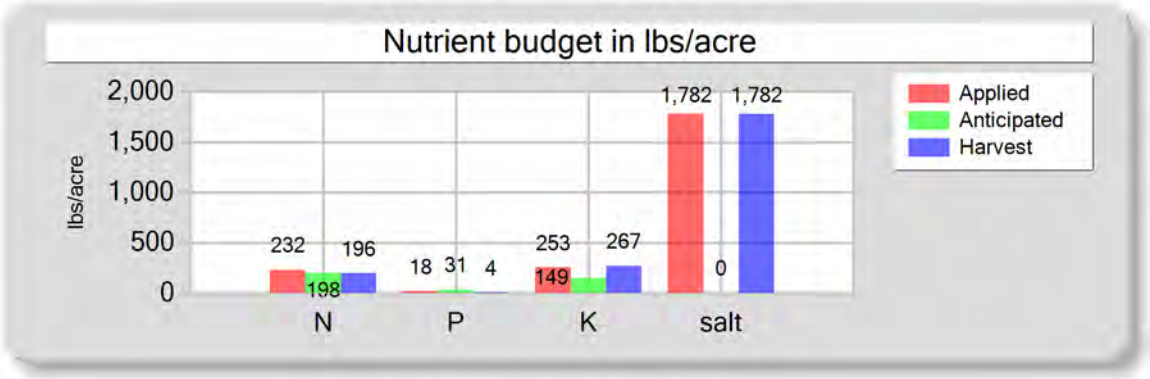

	Total N (lbs/acre)	Total P (lbs/acre)	Total K (lbs/acre)	Total salt (lbs/acre)
Existing soil nutrient content	0.00	0.00	0.00	0.00
Plowdown credit	0.00	0.00	0.00	0.00
Commercial fertilizer / Other	0.00	0.00	0.00	0.00
Dry manure	0.00	0.00	0.00	0.00
Process wastewater	223.47	17.51	252.50	1,737.61
Fresh water	1.42	0.00	0.00	44.15
Atmospheric deposition	7.00	0.00	0.00	0.00
Total nutrients applied	231.89	17.51	252.50	1,781.76
Anticipated crop nutrient removal	198.00	30.60	149.40	0.00
Actual crop nutrient removal	195.80	3.56	267.00	1,781.71
Nutrient balance	36.09	13.95	-14.50	0.05
Applied to removed ratio	1.18	4.92	0.95	1.00

Fresh water applied	
10,752,000.00	*gallons*
395.96	*acre-inches*
6.29	*inches/acre*

Process wastewater applied	
3,321,000.00	*gallons*
122.30	*acre-inches*
1.94	*inches/acre*

Total harvests for the crop	
1	*harvests*

Annual Report - General Order No. R5-2007-0035
Reporting period 01/01/2023 to 12/31/2023.

Field 9 - 07/05/2023: Corn, silage

Field name: Field 9 Crop: Corn, silage Plant date: 07/05/2023

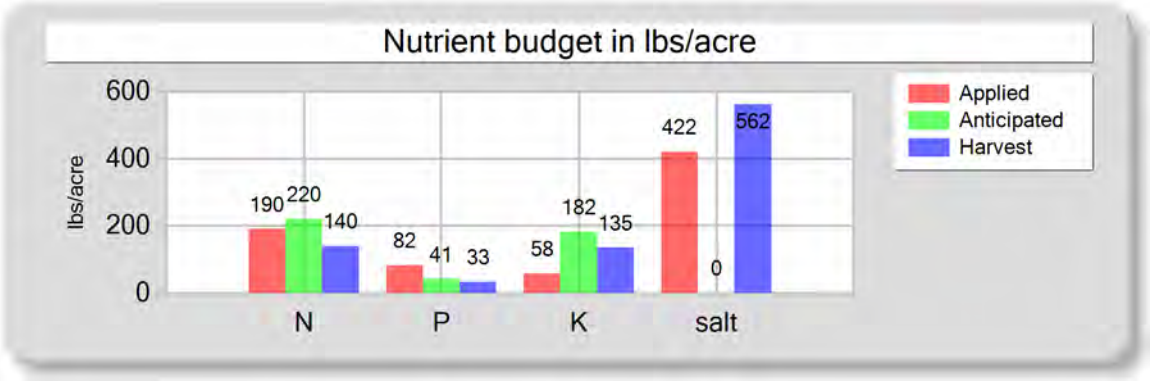

	Total N (lbs/acre)	Total P (lbs/acre)	Total K (lbs/acre)	Total salt (lbs/acre)
Existing soil nutrient content	0.00	0.00	0.00	0.00
Plowdown credit	0.00	0.00	0.00	0.00
Commercial fertilizer / Other	0.00	0.00	0.00	0.00
Dry manure	0.00	0.00	0.00	0.00
Process wastewater	175.47	82.45	57.61	174.41
Fresh water	7.98	0.00	0.00	247.24
Atmospheric deposition	7.00	0.00	0.00	0.00
Total nutrients applied	190.44	82.45	57.61	421.65
Anticipated crop nutrient removal	220.00	41.25	181.50	0.00
Actual crop nutrient removal	140.00	32.50	135.00	562.28
Nutrient balance	50.44	49.95	-77.39	-140.62
Applied to removed ratio	1.36	2.54	0.43	0.75

Fresh water applied	
60,211,200.00	*gallons*
2,217.37	*acre-inches*
35.20	*inches/acre*

Process wastewater applied	
399,000.00	*gallons*
14.69	*acre-inches*
0.23	*inches/acre*

Total harvests for the crop	
1	*harvests*

Annual Report - General Order No. R5-2007-0035
Reporting period 01/01/2023 to 12/31/2023.

Field H2-1 - 10/25/2022: Wheat, silage, soft dough

Field name: Field H2-1 Crop: Wheat, silage, soft dough Plant date: 10/25/2022

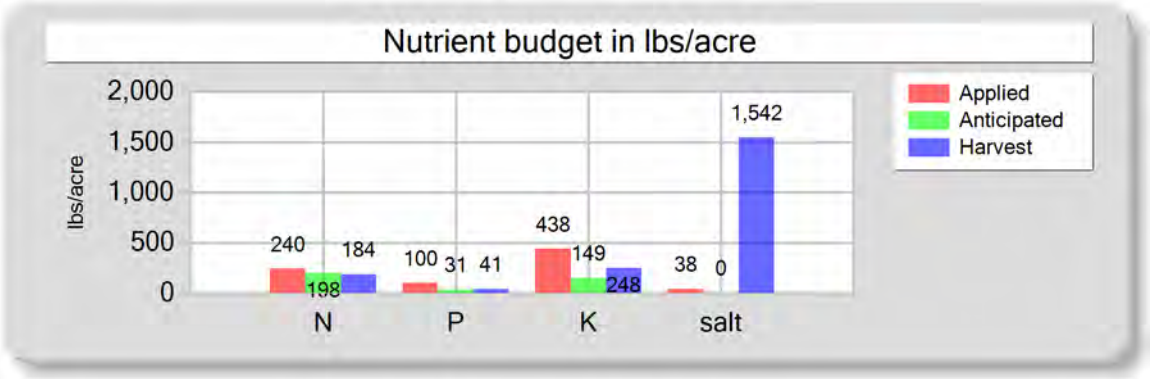

	Total N (lbs/acre)	Total P (lbs/acre)	Total K (lbs/acre)	Total salt (lbs/acre)
Existing soil nutrient content	0.00	0.00	0.00	0.00
Plowdown credit	0.00	0.00	0.00	0.00
Commercial fertilizer / Other	0.00	0.00	0.00	0.00
Dry manure	231.63	100.50	437.53	0.00
Process wastewater	0.00	0.00	0.00	0.00
Fresh water	1.22	0.00	0.00	37.89
Atmospheric deposition	7.00	0.00	0.00	0.00
Total nutrients applied	239.85	100.50	437.53	37.89
Anticipated crop nutrient removal	198.00	30.60	149.40	0.00
Actual crop nutrient removal	184.00	41.40	248.40	1,542.47
Nutrient balance	55.85	59.10	189.13	-1,504.58
Applied to removed ratio	1.30	2.43	1.76	0.02

Fresh water applied	
13,036,800.00	*gallons*
480.10	*acre-inches*
5.39	*inches/acre*

Process wastewater applied	
0.00	*gallons*
0.00	*acre-inches*
0.00	*inches/acre*

Total harvests for the crop	
1	*harvests*

Annual Report - General Order No. R5-2007-0035
Reporting period 01/01/2023 to 12/31/2023.

Field H2-1 - 06/22/2023: Corn, silage

Field name: Field H2-1 Crop: Corn, silage Plant date: 06/22/2023

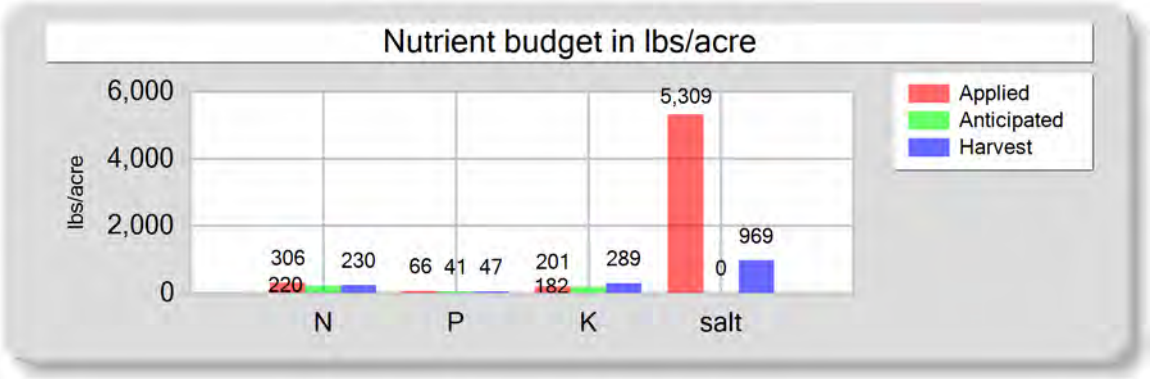

	Total N (lbs/acre)	Total P (lbs/acre)	Total K (lbs/acre)	Total salt (lbs/acre)
Existing soil nutrient content	0.00	0.00	0.00	0.00
Plowdown credit	0.00	0.00	0.00	0.00
Commercial fertilizer / Other	33.78	0.00	0.00	0.00
Dry manure	257.82	66.23	201.05	5,073.67
Process wastewater	0.00	0.00	0.00	0.00
Fresh water	7.60	0.00	0.00	235.57
Atmospheric deposition	7.00	0.00	0.00	0.00
Total nutrients applied	306.20	66.23	201.05	5,309.24
Anticipated crop nutrient removal	220.00	41.25	181.50	0.00
Actual crop nutrient removal	230.10	47.20	289.10	968.90
Nutrient balance	76.10	19.03	-88.05	4,340.34
Applied to removed ratio	1.33	1.40	0.70	5.48

Fresh water applied	
81,043,200.00	*gallons*
2,984.55	*acre-inches*
33.53	*inches/acre*

Process wastewater applied	
0.00	*gallons*
0.00	*acre-inches*
0.00	*inches/acre*

Total harvests for the crop	
1	*harvests*

Annual Report - General Order No. R5-2007-0035
Reporting period 01/01/2023 to 12/31/2023.

Field H2-2 - 10/25/2022: Wheat Hay

Field name: Field H2-2 Crop: Wheat Hay Plant date: 10/25/2022

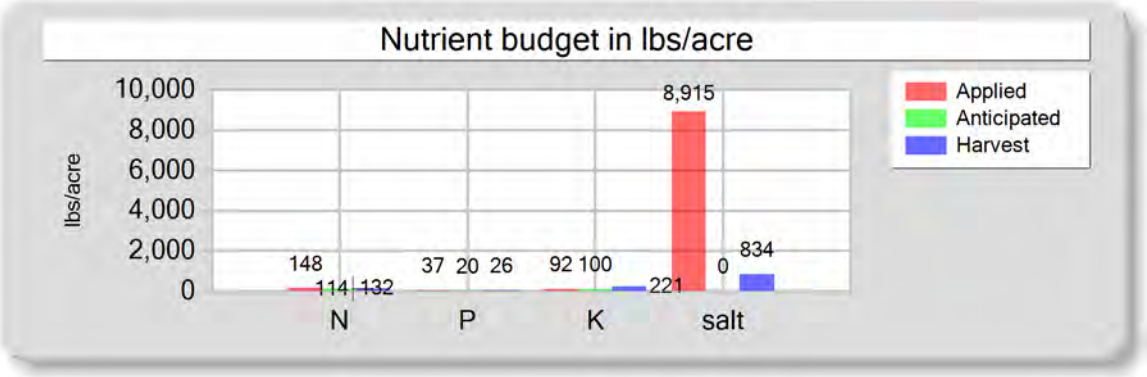

	Total N (lbs/acre)	Total P (lbs/acre)	Total K (lbs/acre)	Total salt (lbs/acre)
Existing soil nutrient content	0.00	0.00	0.00	0.00
Plowdown credit	0.00	0.00	0.00	0.00
Commercial fertilizer / Other	0.00	0.00	0.00	0.00
Dry manure	139.92	36.96	92.40	8,883.78
Process wastewater	0.00	0.00	0.00	0.00
Fresh water	1.00	0.00	0.00	30.99
Atmospheric deposition	7.00	0.00	0.00	0.00
Total nutrients applied	147.92	36.96	92.40	8,914.76
Anticipated crop nutrient removal	132.00	20.40	99.60	0.00
Actual crop nutrient removal	114.30	26.10	220.50	834.30
Nutrient balance	33.62	10.86	-128.10	8,080.46
Applied to removed ratio	1.29	1.42	0.42	10.69

Fresh water applied	
11,020,800.00	*gallons*
405.86	*acre-inches*
4.41	*inches/acre*

Process wastewater applied	
0.00	*gallons*
0.00	*acre-inches*
0.00	*inches/acre*

Total harvests for the crop	
1	*harvests*

Annual Report - General Order No. R5-2007-0035
Reporting period 01/01/2023 to 12/31/2023.

Field H2-2 - 06/27/2023: Corn, silage

Field name: Field H2-2 Crop: Corn, silage Plant date: 06/27/2023

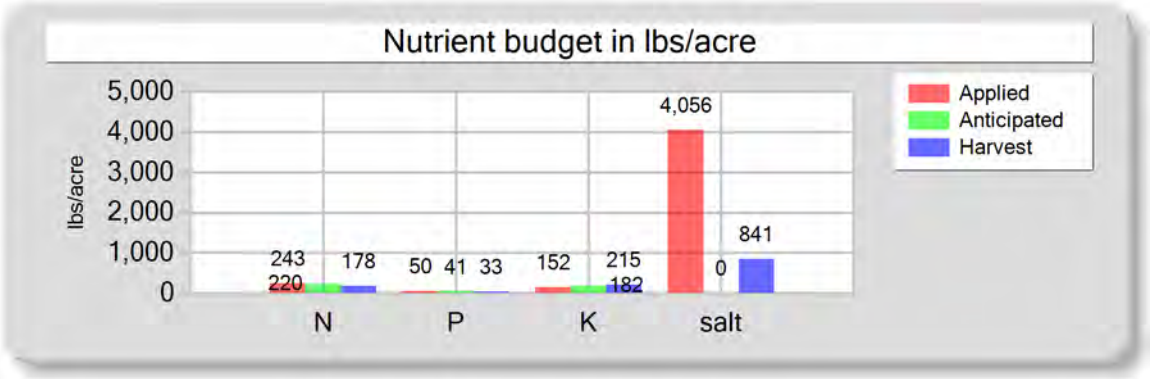

	Total N (lbs/acre)	Total P (lbs/acre)	Total K (lbs/acre)	Total salt (lbs/acre)
Existing soil nutrient content	0.00	0.00	0.00	0.00
Plowdown credit	0.00	0.00	0.00	0.00
Commercial fertilizer / Other	33.78	0.00	0.00	0.00
Dry manure	194.41	49.94	151.60	3,825.75
Process wastewater	0.00	0.00	0.00	0.00
Fresh water	7.42	0.00	0.00	230.15
Atmospheric deposition	7.00	0.00	0.00	0.00
Total nutrients applied	242.61	49.94	151.60	4,055.90
Anticipated crop nutrient removal	220.00	41.25	181.50	0.00
Actual crop nutrient removal	177.60	33.30	214.60	841.16
Nutrient balance	65.01	16.64	-63.00	3,214.74
Applied to removed ratio	1.37	1.50	0.71	4.82

Fresh water applied	
81,849,600.00	*gallons*
3,014.24	*acre-inches*
32.76	*inches/acre*

Process wastewater applied	
0.00	*gallons*
0.00	*acre-inches*
0.00	*inches/acre*

Total harvests for the crop	
1	*harvests*

Annual Report - General Order No. R5-2007-0035
Reporting period 01/01/2023 to 12/31/2023.

Field H2-3 - 10/25/2022: Wheat, silage, soft dough

Field name: Field H2-3 Crop: Wheat, silage, soft dough Plant date: 10/25/2022

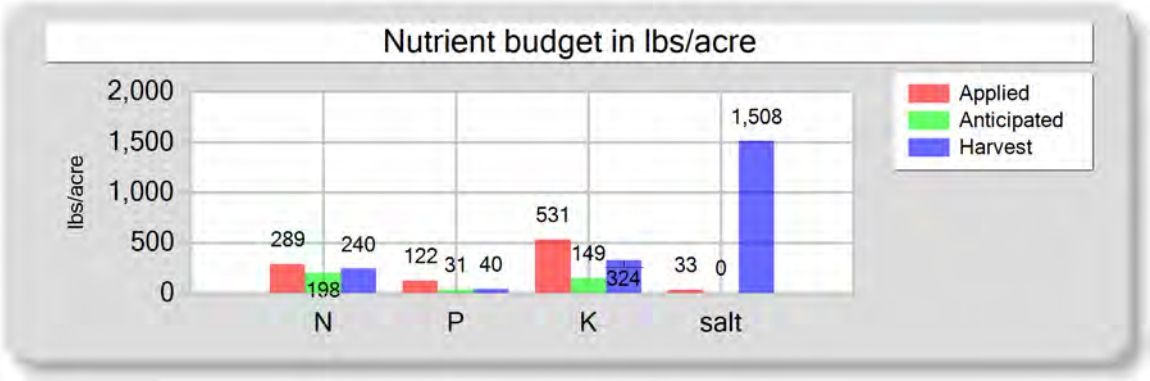

	Total N (lbs/acre)	Total P (lbs/acre)	Total K (lbs/acre)	Total salt (lbs/acre)
Existing soil nutrient content	0.00	0.00	0.00	0.00
Plowdown credit	0.00	0.00	0.00	0.00
Commercial fertilizer / Other	0.00	0.00	0.00	0.00
Dry manure	281.35	122.07	531.44	0.00
Process wastewater	0.00	0.00	0.00	0.00
Fresh water	1.06	0.00	0.00	32.90
Atmospheric deposition	7.00	0.00	0.00	0.00
Total nutrients applied	289.41	122.07	531.44	32.90
Anticipated crop nutrient removal	198.00	30.60	149.40	0.00
Actual crop nutrient removal	240.48	40.08	323.98	1,508.08
Nutrient balance	48.93	81.99	207.46	-1,475.18
Applied to removed ratio	1.20	3.05	1.64	0.02

Fresh water applied	
11,827,200.00	*gallons*
435.56	*acre-inches*
4.68	*inches/acre*

Process wastewater applied	
0.00	*gallons*
0.00	*acre-inches*
0.00	*inches/acre*

Total harvests for the crop	
1	*harvests*

Annual Report - General Order No. R5-2007-0035
Reporting period 01/01/2023 to 12/31/2023.

Field H2-3 - 06/01/2023: Corn, silage

Field name: Field H2-3 Crop: Corn, silage Plant date: 06/01/2023

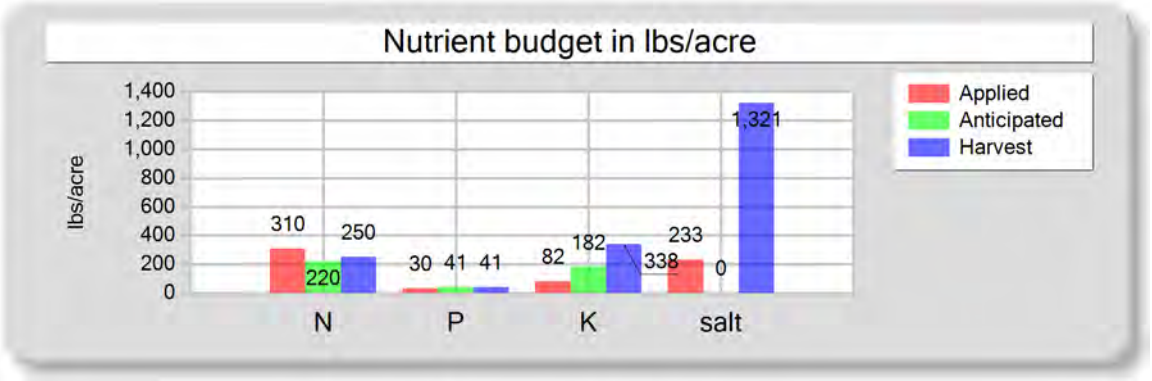

	Total N (lbs/acre)	Total P (lbs/acre)	Total K (lbs/acre)	Total salt (lbs/acre)
Existing soil nutrient content	0.00	0.00	0.00	0.00
Plowdown credit	0.00	0.00	0.00	0.00
Commercial fertilizer / Other	33.78	0.00	0.00	0.00
Dry manure	261.36	30.36	81.84	0.00
Process wastewater	0.00	0.00	0.00	0.00
Fresh water	7.51	0.00	0.00	232.91
Atmospheric deposition	7.00	0.00	0.00	0.00
Total nutrients applied	309.65	30.36	81.84	232.91
Anticipated crop nutrient removal	220.00	41.25	181.50	0.00
Actual crop nutrient removal	250.26	40.74	337.56	1,321.31
Nutrient balance	59.39	-10.38	-255.72	-1,088.40
Applied to removed ratio	1.24	0.75	0.24	0.18

Fresh water applied	
83,731,200.00	*gallons*
3,083.54	*acre-inches*
33.16	*inches/acre*

Process wastewater applied	
0.00	*gallons*
0.00	*acre-inches*
0.00	*inches/acre*

Total harvests for the crop	
1	*harvests*

Annual Report - General Order No. R5-2007-0035
Reporting period 01/01/2023 to 12/31/2023.

Field H2-4 - 10/25/2022: Wheat, silage, soft dough

Field name: Field H2-4 Crop: Wheat, silage, soft dough Plant date: 10/25/2022

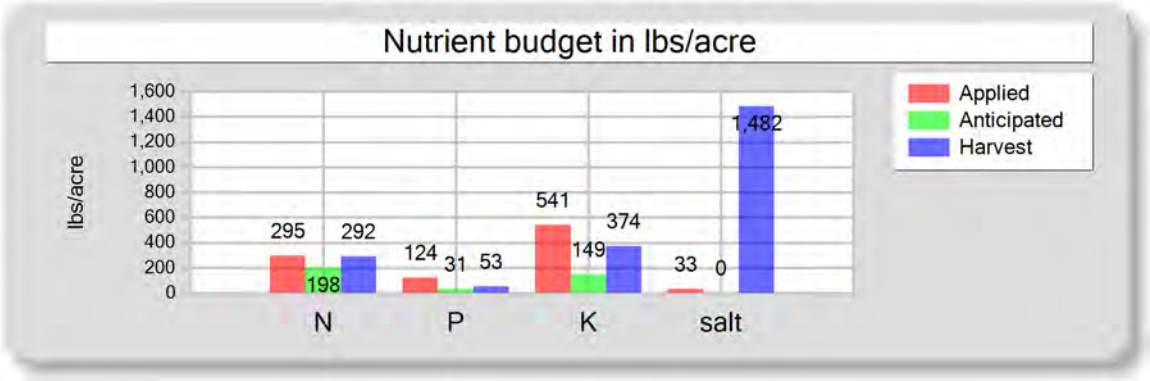

	Total N (lbs/acre)	Total P (lbs/acre)	Total K (lbs/acre)	Total salt (lbs/acre)
Existing soil nutrient content	0.00	0.00	0.00	0.00
Plowdown credit	0.00	0.00	0.00	0.00
Commercial fertilizer / Other	0.00	0.00	0.00	0.00
Dry manure	286.55	124.33	541.27	0.00
Process wastewater	0.00	0.00	0.00	0.00
Fresh water	1.07	0.00	0.00	33.30
Atmospheric deposition	7.00	0.00	0.00	0.00
Total nutrients applied	294.63	124.33	541.27	33.30
Anticipated crop nutrient removal	198.00	30.60	149.40	0.00
Actual crop nutrient removal	292.32	52.78	373.52	1,482.39
Nutrient balance	2.31	71.55	167.75	-1,449.08
Applied to removed ratio	1.01	2.36	1.45	0.02

Fresh water applied	
12,230,400.00	*gallons*
450.40	*acre-inches*
4.74	*inches/acre*

Process wastewater applied	
0.00	*gallons*
0.00	*acre-inches*
0.00	*inches/acre*

Total harvests for the crop	
1	*harvests*

Annual Report - General Order No. R5-2007-0035
Reporting period 01/01/2023 to 12/31/2023.

Field H2-4 - 06/07/2023: Corn, silage

Field name: Field H2-4 Crop: Corn, silage Plant date: 06/07/2023

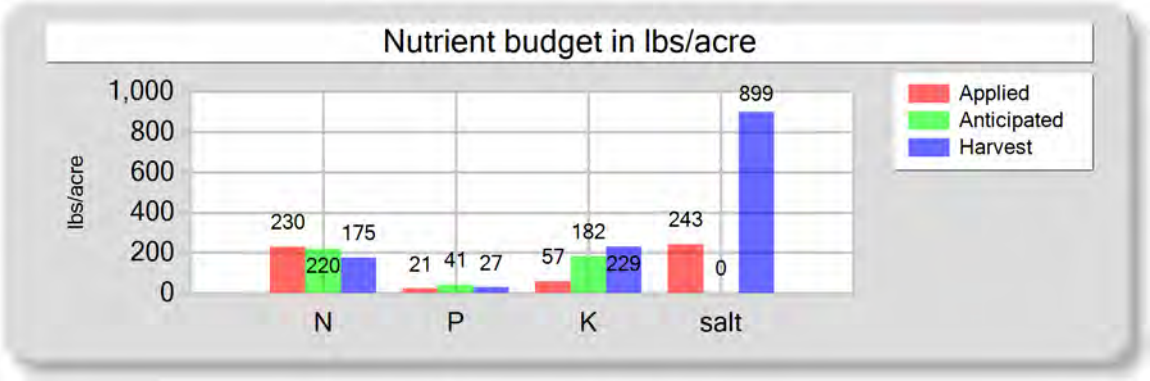

	Total N (lbs/acre)	Total P (lbs/acre)	Total K (lbs/acre)	Total salt (lbs/acre)
Existing soil nutrient content	0.00	0.00	0.00	0.00
Plowdown credit	0.00	0.00	0.00	0.00
Commercial fertilizer / Other	33.78	0.00	0.00	0.00
Dry manure	181.76	21.11	56.91	0.00
Process wastewater	0.00	0.00	0.00	0.00
Fresh water	7.83	0.00	0.00	242.65
Atmospheric deposition	7.00	0.00	0.00	0.00
Total nutrients applied	230.37	21.11	56.91	242.65
Anticipated crop nutrient removal	220.00	41.25	181.50	0.00
Actual crop nutrient removal	174.72	27.30	229.32	898.93
Nutrient balance	55.65	-6.19	-172.41	-656.29
Applied to removed ratio	1.32	0.77	0.25	0.27

Fresh water applied	
89,107,200.00	*gallons*
3,281.52	*acre-inches*
34.54	*inches/acre*

Process wastewater applied	
0.00	*gallons*
0.00	*acre-inches*
0.00	*inches/acre*

Total harvests for the crop	
1	*harvests*

Annual Report - General Order No. R5-2007-0035
Reporting period 01/01/2023 to 12/31/2023.

NUTRIENT ANALYSES

A. MANURE ANALYSES

Corral Solids

Sample and source description: Corral Solids
Sample date: 09/22/2022 Material type: Corral solids Source of analysis: Lab analysis Method of reporting: Dry-weight
Moisture: 12.6 %

	Total N (mg/kg)	Total P (mg/kg)	Total K (mg/kg)	Calcium (mg/kg)	Magnesium (mg/kg)	Sodium (mg/kg)	Sulfur (mg/kg)	Chloride (mg/kg)	Total salt (mg/kg)	TFS (%)
Value	18,900.00	8,200.00	35,700.00							
DL	100.00	100.00	100.00							

Separator Solids

Sample and source description: Separator Solids
Sample date: 09/22/2022 Material type: Separator solids Source of analysis: Lab analysis Method of reporting: Dry-weight
Moisture: 49.9 %

	Total N (mg/kg)	Total P (mg/kg)	Total K (mg/kg)	Calcium (mg/kg)	Magnesium (mg/kg)	Sodium (mg/kg)	Sulfur (mg/kg)	Chloride (mg/kg)	Total salt (mg/kg)	TFS (%)
Value	10,600.00	2,800.00	7,000.00	11,300.00	8,000.00	1,400.00	2,300.00	0.00		67.30
DL	100.00	100.00	100.00	100.00	100.00	100.00	100.00	1,000.00		0.01

Corral Solids

Sample and source description: Corral Solids
Sample date: 04/19/2023 Material type: Corral solids Source of analysis: Lab analysis Method of reporting: Dry-weight
Moisture: 20.5 %

	Total N (mg/kg)	Total P (mg/kg)	Total K (mg/kg)	Calcium (mg/kg)	Magnesium (mg/kg)	Sodium (mg/kg)	Sulfur (mg/kg)	Chloride (mg/kg)	Total salt (mg/kg)	TFS (%)
Value	21,800.00	5,600.00	17,000.00	31,300.00	15,000.00	4,300.00	3,800.00	13,000.00		42.90
DL	100.00	100.00	100.00	100.00	100.00	100.00	100.00	1,000.00		0.01

Annual Report - General Order No. R5-2007-0035
Reporting period 01/01/2023 to 12/31/2023.

Separator Solids

Sample and source description: Separator Solids
Sample date: 04/19/2023 Material type: Separator solids Source of analysis: Lab analysis Method of reporting: Dry-weight
Moisture: 78.0 %

	Total N (mg/kg)	Total P (mg/kg)	Total K (mg/kg)	Calcium (mg/kg)	Magnesium (mg/kg)	Sodium (mg/kg)	Sulfur (mg/kg)	Chloride (mg/kg)	Total salt (mg/kg)	TFS (%)
Value	19,800.00	2,300.00	6,200.00							
DL	100.00	100.00	100.00							

Corral Solids

Sample and source description: Corral Solids
Sample date: 10/04/2023 Material type: Corral solids Source of analysis: Lab analysis Method of reporting: Dry-weight
Moisture: 3.9 %

	Total N (mg/kg)	Total P (mg/kg)	Total K (mg/kg)	Calcium (mg/kg)	Magnesium (mg/kg)	Sodium (mg/kg)	Sulfur (mg/kg)	Chloride (mg/kg)	Total salt (mg/kg)	TFS (%)
Value	13,200.00	3,800.00	17,300.00	14,300.00	10,700.00	3,200.00	3,500.00	9,000.00		69.50
DL	100.00	100.00	100.00	100.00	100.00	100.00	100.00	1,000.00		0.01

Separator Solids

Sample and source description: Separator Solids
Sample date: 10/04/2023 Material type: Separator solids Source of analysis: Lab analysis Method of reporting: Dry-weight
Moisture: 44.4 %

	Total N (mg/kg)	Total P (mg/kg)	Total K (mg/kg)	Calcium (mg/kg)	Magnesium (mg/kg)	Sodium (mg/kg)	Sulfur (mg/kg)	Chloride (mg/kg)	Total salt (mg/kg)	TFS (%)
Value	26,600.00	3,600.00	5,900.00	16,200.00	7,600.00	2,400.00	4,300.00	1,000.00		21.50
DL	100.00	100.00	100.00	100.00	100.00	100.00	100.00	1,000.00		0.01

B. PROCESS WASTEWATER ANALYSES

Annual Report - General Order No. R5-2007-0035
Reporting period 01/01/2023 to 12/31/2023.

4QWW

Sample and source description: 4QWW

Sample date: 10/20/2022 Material type: Process wastewater Source of analysis: Lab analysis pH: 8.00

	Kjeldahl-N (mg/L)	NH4-N (mg/L)	NH3-N (mg/L)	Nitrate-N (mg/L)	Total P (mg/L)	Total K (mg/L)	Calcium (mg/L)	Magnes. (mg/L)	Sodium (mg/L)	Bicarb. (mg/L)	Carb. (mg/L)	Sulfate (mg/L)	Chloride (mg/L)	EC (µmhos/cm)	TDS (mg/L)
Value	470.00	365.00	0.00	3.20	33.10	677.00								7,940.00	3,800
DL	1.00	0.50	0.50	0.10	0.10	0.50								10.00	100

1QWW

Sample and source description: 1QWW

Sample date: 02/16/2023 Material type: Process wastewater Source of analysis: Lab analysis pH: 7.80

	Kjeldahl-N (mg/L)	NH4-N (mg/L)	NH3-N (mg/L)	Nitrate-N (mg/L)	Total P (mg/L)	Total K (mg/L)	Calcium (mg/L)	Magnes. (mg/L)	Sodium (mg/L)	Bicarb. (mg/L)	Carb. (mg/L)	Sulfate (mg/L)	Chloride (mg/L)	EC (µmhos/cm)	TDS (mg/L)
Value	508.00	352.00	0.00	1.70	39.80	574.00								7,180.00	3,950
DL	1.00	0.50	0.50	0.10	0.10	0.50								10.00	10

2QWW

Sample and source description: 2QWW

Sample date: 06/09/2023 Material type: Process wastewater Source of analysis: Lab analysis pH: 8.00

	Kjeldahl-N (mg/L)	NH4-N (mg/L)	NH3-N (mg/L)	Nitrate-N (mg/L)	Total P (mg/L)	Total K (mg/L)	Calcium (mg/L)	Magnes. (mg/L)	Sodium (mg/L)	Bicarb. (mg/L)	Carb. (mg/L)	Sulfate (mg/L)	Chloride (mg/L)	EC (µmhos/cm)	TDS (mg/L)
Value	700.00	427.00	0.00	1.20	66.60	864.00								9,870.00	5,400
DL	1.00	0.50	0.50	0.10	0.10	0.50								10.00	10

3QWW

Sample and source description: 3QWW

Sample date: 09/06/2023 Material type: Process wastewater Source of analysis: Lab analysis pH: 8.20

	Kjeldahl-N (mg/L)	NH4-N (mg/L)	NH3-N (mg/L)	Nitrate-N (mg/L)	Total P (mg/L)	Total K (mg/L)	Calcium (mg/L)	Magnes. (mg/L)	Sodium (mg/L)	Bicarb. (mg/L)	Carb. (mg/L)	Sulfate (mg/L)	Chloride (mg/L)	EC (µmhos/cm)	TDS (mg/L)
Value	168.00	79.30	0.00	0.20	23.50	222.00	62.60	49.30	122.00	1,240.00	0.00	19.90	93.50	2,490.00	1,550
DL	1.00	0.50	0.50	0.10	0.10	0.50	0.10	0.10	1.00	10.00	1.00	0.50	0.20	10.00	10

Annual Report - General Order No. R5-2007-0035
Reporting period 01/01/2023 to 12/31/2023.

3QWW

Sample and source description: 3QWW

Sample date: 09/20/2023 Material type: Process wastewater Source of analysis: Lab analysis pH: 7.80

	Kjeldahl-N (mg/L)	NH4-N (mg/L)	NH3-N (mg/L)	Nitrate-N (mg/L)	Total P (mg/L)	Total K (mg/L)	Calcium (mg/L)	Magnes. (mg/L)	Sodium (mg/L)	Bicarb. (mg/L)	Carb. (mg/L)	Sulfate (mg/L)	Chloride (mg/L)	EC (µmhos/cm)	TDS (mg/L)
Value	460.00	410.00	0.00	0.60	52.00	530.00								6,960.00	3,480
DL	1.00	0.50	0.50	0.10	0.10	0.50								10.00	10

4QWW

Sample and source description: 4QWW

Sample date: 10/26/2023 Material type: Process wastewater Source of analysis: Lab analysis pH: 7.80

	Kjeldahl-N (mg/L)	NH4-N (mg/L)	NH3-N (mg/L)	Nitrate-N (mg/L)	Total P (mg/L)	Total K (mg/L)	Calcium (mg/L)	Magnes. (mg/L)	Sodium (mg/L)	Bicarb. (mg/L)	Carb. (mg/L)	Sulfate (mg/L)	Chloride (mg/L)	EC (µmhos/cm)	TDS (mg/L)
Value	214.00	155.00	0.00	0.70	38.00	290.00								3,860.00	1,900
DL	1.00	0.50	0.50	0.10	0.10	0.50								10.00	10

Slurry

Sample and source description: Slurry

Sample date: 10/27/2023 Material type: Process wastewater sludge Source of analysis: Lab analysis pH: 7.60

	Kjeldahl-N (mg/L)	NH4-N (mg/L)	NH3-N (mg/L)	Nitrate-N (mg/L)	Total P (mg/L)	Total K (mg/L)	Calcium (mg/L)	Magnes. (mg/L)	Sodium (mg/L)	Bicarb. (mg/L)	Carb. (mg/L)	Sulfate (mg/L)	Chloride (mg/L)	EC (µmhos/cm)	TDS (mg/L)
Value	3,320.00	895.00	0.00	1.50	1,560.00	1,090.00								7,330.00	3,300
DL	1.00	0.50	0.50	0.10	0.10	0.50								10.00	10

C. FRESH WATER ANALYSES

Irrigation Wells

Annual Report - General Order No. R5-2007-0035
Reporting period 01/01/2023 to 12/31/2023.

Irrigation Wells

IW #1N

Sample description: IW #1N

Sample date: 09/08/2023 Source of analysis: Lab analysis

	Total N (mg/L)	NH4-N (mg/L)	Nitrate-N (mg/L)	Calcium (mg/L)	Magnesium (mg/L)	Sodium (mg/L)	Bicarbonate (mg/L)	Carbonate (mg/L)	Sulfate (mg/L)	Chloride (mg/L)	EC (µmhos/cm)	TDS (mg/L)
Value	1.00	0.00	0.70								359.00	198
DL	1.00	0.50	0.10								10.00	10

IW #3

Sample description: IW #3

Sample date: 09/08/2023 Source of analysis: Lab analysis

	Total N (mg/L)	NH4-N (mg/L)	Nitrate-N (mg/L)	Calcium (mg/L)	Magnesium (mg/L)	Sodium (mg/L)	Bicarbonate (mg/L)	Carbonate (mg/L)	Sulfate (mg/L)	Chloride (mg/L)	EC (µmhos/cm)	TDS (mg/L)
Value	1.00	0.00	0.10								527.00	293
DL	1.00	0.50	0.10								10.00	10

IW #4

Sample description: IW #4

Sample date: 11/30/2023 Source of analysis: Lab analysis

	Total N (mg/L)	NH4-N (mg/L)	Nitrate-N (mg/L)	Calcium (mg/L)	Magnesium (mg/L)	Sodium (mg/L)	Bicarbonate (mg/L)	Carbonate (mg/L)	Sulfate (mg/L)	Chloride (mg/L)	EC (µmhos/cm)	TDS (mg/L)
Value	1.00	0.00	0.00								261.00	212
DL	1.00	0.50	0.10								10.00	10

MID Canal

Annual Report - General Order No. R5-2007-0035
Reporting period 01/01/2023 to 12/31/2023.

MID Canal

MID Canal

Sample description: MID Canal

Sample date: 09/08/2023 Source of analysis: Lab analysis

	Total N (mg/L)	NH4-N (mg/L)	Nitrate-N (mg/L)	Calcium (mg/L)	Magnesium (mg/L)	Sodium (mg/L)	Bicarbonate (mg/L)	Carbonate (mg/L)	Sulfate (mg/L)	Chloride (mg/L)	EC (µmhos/cm)	TDS (mg/L)
Value	1.00	0.00	0.00								26.00	31
DL	1.00	0.50	0.10								10.00	10

D. SOIL ANALYSES

Field 1

Soil Sample

Sample and source description: Soil Sample

Sample date: 10/23/2023 Source of analysis: Lab analysis

	Nitrate-N (mg/kg)	Total P (mg/kg)	Soluble P (mg/kg)	K (mg/kg)	EC (µmhos/cm)	Organic matter (%)	Total salt (mg/kg)
Value			59.00				
DL			2.00				

Field 10

Soil Sample

Sample and source description: Soil Sample

Sample date: 10/23/2023 Source of analysis: Lab analysis

	Nitrate-N (mg/kg)	Total P (mg/kg)	Soluble P (mg/kg)	K (mg/kg)	EC (µmhos/cm)	Organic matter (%)	Total salt (mg/kg)
Value			72.00				
DL			2.00				

Field 11

Annual Report - General Order No. R5-2007-0035
Reporting period 01/01/2023 to 12/31/2023.

Field 11

Soil Sample

Sample and source description: Soil Sample

Sample date: 10/23/2023 Source of analysis: Lab analysis

	Nitrate-N (mg/kg)	Total P (mg/kg)	Soluble P (mg/kg)	K (mg/kg)	EC (µmhos/cm)	Organic matter (%)	Total salt (mg/kg)
Value			76.00				
DL			2.00				

Field 2

Soil Sample

Sample and source description: Soil Sample

Sample date: 10/23/2023 Source of analysis: Lab analysis

	Nitrate-N (mg/kg)	Total P (mg/kg)	Soluble P (mg/kg)	K (mg/kg)	EC (µmhos/cm)	Organic matter (%)	Total salt (mg/kg)
Value			94.00				
DL			2.00				

Field 3

Soil Sample

Sample and source description: Soil Sample

Sample date: 10/23/2023 Source of analysis: Lab analysis

	Nitrate-N (mg/kg)	Total P (mg/kg)	Soluble P (mg/kg)	K (mg/kg)	EC (µmhos/cm)	Organic matter (%)	Total salt (mg/kg)
Value			86.00				
DL			2.00				

Field 5

Annual Report - General Order No. R5-2007-0035
Reporting period 01/01/2023 to 12/31/2023.

Field 5

Soil Sample

Sample and source description: Soil Sample

Sample date: 05/01/2024 Source of analysis: Lab analysis

	Nitrate-N (mg/kg)	Total P (mg/kg)	Soluble P (mg/kg)	K (mg/kg)	EC (µmhos/cm)	Organic matter (%)	Total salt (mg/kg)
Value			125.00				
DL			2.00				

Field 6

Soil Sample

Sample and source description: Soil Sample

Sample date: 10/23/2023 Source of analysis: Lab analysis

	Nitrate-N (mg/kg)	Total P (mg/kg)	Soluble P (mg/kg)	K (mg/kg)	EC (µmhos/cm)	Organic matter (%)	Total salt (mg/kg)
Value			84.00				
DL			2.00				

Field 7

Soil Sample

Sample and source description: Soil Sample

Sample date: 10/23/2023 Source of analysis: Lab analysis

	Nitrate-N (mg/kg)	Total P (mg/kg)	Soluble P (mg/kg)	K (mg/kg)	EC (µmhos/cm)	Organic matter (%)	Total salt (mg/kg)
Value			68.00				
DL			2.00				

Field 8

Annual Report - General Order No. R5-2007-0035
Reporting period 01/01/2023 to 12/31/2023.

Field 8

Soil Sample

Sample and source description: Soil Sample

Sample date: 10/23/2023 Source of analysis: Lab analysis

	Nitrate-N (mg/kg)	Total P (mg/kg)	Soluble P (mg/kg)	K (mg/kg)	EC (µmhos/cm)	Organic matter (%)	Total salt (mg/kg)
Value			102.00				
DL			2.00				

Field 9

Soil Sample

Sample and source description: Soil Sample

Sample date: 10/23/2023 Source of analysis: Lab analysis

	Nitrate-N (mg/kg)	Total P (mg/kg)	Soluble P (mg/kg)	K (mg/kg)	EC (µmhos/cm)	Organic matter (%)	Total salt (mg/kg)
Value			63.00				
DL			2.00				

Field H2-1

Soil Sample

Sample and source description: Soil Sample

Sample date: 10/02/2023 Source of analysis: Lab analysis

	Nitrate-N (mg/kg)	Total P (mg/kg)	Soluble P (mg/kg)	K (mg/kg)	EC (µmhos/cm)	Organic matter (%)	Total salt (mg/kg)
Value			127.00				
DL			2.00				

Field H2-2

Annual Report - General Order No. R5-2007-0035
Reporting period 01/01/2023 to 12/31/2023.

Field H2-2

Soil Sample

Sample and source description: Soil Sample

Sample date: 05/01/2024 Source of analysis: Lab analysis

	Nitrate-N (mg/kg)	Total P (mg/kg)	Soluble P (mg/kg)	K (mg/kg)	EC (µmhos/cm)	Organic matter (%)	Total salt (mg/kg)
Value			133.00				
DL			2.00				

Field H2-3

Soil Sample

Sample and source description: Soil Sample

Sample date: 10/02/2023 Source of analysis: Lab analysis

	Nitrate-N (mg/kg)	Total P (mg/kg)	Soluble P (mg/kg)	K (mg/kg)	EC (µmhos/cm)	Organic matter (%)	Total salt (mg/kg)
Value			94.00				
DL			10.00				

Field H2-4

Soil Sample

Sample and source description: Soil Sample

Sample date: 10/02/2023 Source of analysis: Lab analysis

	Nitrate-N (mg/kg)	Total P (mg/kg)	Soluble P (mg/kg)	K (mg/kg)	EC (µmhos/cm)	Organic matter (%)	Total salt (mg/kg)
Value			81.00				
DL			2.00				

E. PLANT TISSUE ANALYSES

Field 1 - 11/01/2022: Wheat, silage, soft dough

Annual Report - General Order No. R5-2007-0035
Reporting period 01/01/2023 to 12/31/2023.

Field 1 - 11/01/2022: Wheat, silage, soft dough

Winter Forage

Sample and source description: Winter Forage
Sample date: 05/18/2023 Source of analysis: Lab analysis Method of reporting: As-is
Moisture: 57.3 %

	Total N (mg/kg)	Total P (mg/kg)	Total K (mg/kg)	Total salt (mg/kg)	TFS (%)
Value	7,900.00	900.00	5,100.00		8.20
DL	100.00	100.00	100.00		0.01

Field 1 - 06/01/2023: Corn, silage

Corn Silage

Sample and source description: Corn Silage
Sample date: 09/25/2023 Source of analysis: Lab analysis Method of reporting: As-is
Moisture: 58.8 %

	Total N (mg/kg)	Total P (mg/kg)	Total K (mg/kg)	Total salt (mg/kg)	TFS (%)
Value	4,900.00	900.00	6,200.00		5.70
DL	100.00	100.00	100.00		0.01

Field 10 - 11/01/2022: Wheat, silage, soft dough

Winter Forage

Sample and source description: Winter Forage
Sample date: 05/22/2023 Source of analysis: Lab analysis Method of reporting: As-is
Moisture: 62.1 %

	Total N (mg/kg)	Total P (mg/kg)	Total K (mg/kg)	Total salt (mg/kg)	TFS (%)
Value	5,600.00	100.00	7,400.00		11.50
DL	100.00	100.00	100.00		0.01

Annual Report - General Order No. R5-2007-0035
Reporting period 01/01/2023 to 12/31/2023.

Field 10 - 06/28/2023: Corn, silage

Corn Silage

Sample and source description: Corn Silage
Sample date: 10/18/2023 Source of analysis: Lab analysis Method of reporting: As-is
Moisture: 62.3 %

	Total N (mg/kg)	Total P (mg/kg)	Total K (mg/kg)	Total salt (mg/kg)	TFS (%)
Value	4,400.00	1,100.00	4,900.00		5.00
DL	100.00	100.00	100.00		0.01

Field 11 - 11/01/2022: Wheat, silage, soft dough

Winter Forage

Sample and source description: Winter Forage
Sample date: 05/18/2023 Source of analysis: Lab analysis Method of reporting: As-is
Moisture: 65.6 %

	Total N (mg/kg)	Total P (mg/kg)	Total K (mg/kg)	Total salt (mg/kg)	TFS (%)
Value	5,500.00	900.00	5,400.00		10.60
DL	100.00	100.00	100.00		0.01

Field 11 - 06/28/2023: Corn, silage

Corn Silage

Sample and source description: Corn Silage
Sample date: 10/18/2023 Source of analysis: Lab analysis Method of reporting: As-is
Moisture: 68.8 %

	Total N (mg/kg)	Total P (mg/kg)	Total K (mg/kg)	Total salt (mg/kg)	TFS (%)
Value	3,800.00	900.00	3,900.00		5.70
DL	100.00	100.00	100.00		0.01

Annual Report - General Order No. R5-2007-0035
Reporting period 01/01/2023 to 12/31/2023.

Field 2 - 11/01/2022: Wheat, silage, soft dough

Winter Forage

Sample and source description: Winter Forage
Sample date: 05/22/2023 Source of analysis: Lab analysis Method of reporting: As-is
Moisture: 68.9 %

	Total N (mg/kg)	Total P (mg/kg)	Total K (mg/kg)	Total salt (mg/kg)	TFS (%)
Value	5,400.00	100.00	6,600.00		9.80
DL	100.00	100.00	100.00		0.01

Field 2 - 07/05/2023: Corn, silage

Corn Silage

Sample and source description: Corn Silage
Sample date: 10/18/2023 Source of analysis: Lab analysis Method of reporting: As-is
Moisture: 55.8 %

	Total N (mg/kg)	Total P (mg/kg)	Total K (mg/kg)	Total salt (mg/kg)	TFS (%)
Value	5,700.00	1,000.00	5,700.00		5.00
DL	100.00	100.00	100.00		0.01

Field 3 - 11/01/2022: Wheat, silage, soft dough

Winter Forage

Sample and source description: Winter Forage
Sample date: 05/18/2023 Source of analysis: Lab analysis Method of reporting: As-is
Moisture: 62.0 %

	Total N (mg/kg)	Total P (mg/kg)	Total K (mg/kg)	Total salt (mg/kg)	TFS (%)
Value	5,500.00	800.00	4,800.00		9.60
DL	100.00	100.00	100.00		0.01

Annual Report - General Order No. R5-2007-0035
Reporting period 01/01/2023 to 12/31/2023.

Field 3 - 06/27/2023: Corn, silage

Corn Silage

Sample and source description: Corn Silage
Sample date: 10/18/2023 Source of analysis: Lab analysis Method of reporting: As-is
Moisture: 66.1 %

	Total N (mg/kg)	Total P (mg/kg)	Total K (mg/kg)	Total salt (mg/kg)	TFS (%)
Value	4,400.00	900.00	4,100.00		6.80
DL	100.00	100.00	100.00		0.01

Field 6 - 11/01/2022: Wheat, silage, soft dough

Winter Forage

Sample and source description: Winter Forage
Sample date: 05/18/2023 Source of analysis: Lab analysis Method of reporting: As-is
Moisture: 59.9 %

	Total N (mg/kg)	Total P (mg/kg)	Total K (mg/kg)	Total salt (mg/kg)	TFS (%)
Value	6,800.00	100.00	7,300.00		11.60
DL	100.00	100.00	100.00		0.01

Field 6 - 06/28/2023: Corn, silage

Corn Silage

Sample and source description: Corn Silage
Sample date: 10/19/2023 Source of analysis: Lab analysis Method of reporting: As-is
Moisture: 72.2 %

	Total N (mg/kg)	Total P (mg/kg)	Total K (mg/kg)	Total salt (mg/kg)	TFS (%)
Value	3,900.00	700.00	5,000.00		5.70
DL	100.00	100.00	100.00		0.01

Annual Report - General Order No. R5-2007-0035
Reporting period 01/01/2023 to 12/31/2023.

Field 7 - 11/01/2022: Wheat, silage, soft dough

Winter Forage

Sample and source description: Winter Forage
Sample date: 05/18/2023 Source of analysis: Lab analysis Method of reporting: As-is
Moisture: 63.3 %

	Total N (mg/kg)	Total P (mg/kg)	Total K (mg/kg)	Total salt (mg/kg)	TFS (%)
Value	5,600.00	700.00	4,600.00		9.80
DL	100.00	100.00	100.00		0.01

Field 7 - 06/22/2023: Corn, silage

Corn Silage

Sample and source description: Corn Silage
Sample date: 10/18/2023 Source of analysis: Lab analysis Method of reporting: As-is
Moisture: 60.9 %

	Total N (mg/kg)	Total P (mg/kg)	Total K (mg/kg)	Total salt (mg/kg)	TFS (%)
Value	5,200.00	1,300.00	3,600.00		4.90
DL	100.00	100.00	100.00		0.01

Field 8 - 11/01/2022: Wheat, silage, soft dough

Winter Forage

Sample and source description: Winter Forage
Sample date: 05/18/2023 Source of analysis: Lab analysis Method of reporting: As-is
Moisture: 66.5 %

	Total N (mg/kg)	Total P (mg/kg)	Total K (mg/kg)	Total salt (mg/kg)	TFS (%)
Value	6,500.00	100.00	7,200.00		11.40
DL	100.00	100.00	100.00		0.01

Annual Report - General Order No. R5-2007-0035
Reporting period 01/01/2023 to 12/31/2023.

Field 8 - 07/05/2023: Corn, silage

Corn Silage

Sample and source description: Corn Silage
Sample date: 10/18/2023 Source of analysis: Lab analysis Method of reporting: As-is
Moisture: 57.4 %

	Total N (mg/kg)	Total P (mg/kg)	Total K (mg/kg)	Total salt (mg/kg)	TFS (%)
Value	6,000.00	100.00	6,000.00		5.90
DL	100.00	100.00	100.00		0.01

Field 9 - 11/01/2022: Wheat, silage, soft dough

Winter Forage

Sample and source description: Winter Forage
Sample date: 05/22/2023 Source of analysis: Lab analysis Method of reporting: As-is
Moisture: 60.9 %

	Total N (mg/kg)	Total P (mg/kg)	Total K (mg/kg)	Total salt (mg/kg)	TFS (%)
Value	5,500.00	100.00	7,500.00		12.80
DL	100.00	100.00	100.00		0.01

Field 9 - 07/05/2023: Corn, silage

Corn Silage

Sample and source description: Corn Silage
Sample date: 10/18/2023 Source of analysis: Lab analysis Method of reporting: As-is
Moisture: 55.9 %

	Total N (mg/kg)	Total P (mg/kg)	Total K (mg/kg)	Total salt (mg/kg)	TFS (%)
Value	5,600.00	1,300.00	5,400.00		5.10
DL	100.00	100.00	100.00		0.01

Annual Report - General Order No. R5-2007-0035
Reporting period 01/01/2023 to 12/31/2023.

Field H2-1 - 10/25/2022: Wheat, silage, soft dough

Winter Forage

Sample and source description: Winter Forage
Sample date: 05/22/2023 Source of analysis: Lab analysis Method of reporting: As-is
Moisture: 66.8 %

	Total N (mg/kg)	Total P (mg/kg)	Total K (mg/kg)	Total salt (mg/kg)	TFS (%)
Value	4,000.00	900.00	5,400.00		10.10
DL	100.00	100.00	100.00		0.01

Field H2-1 - 06/22/2023: Corn, silage

Corn Silage

Sample and source description: Corn Silage
Sample date: 10/19/2023 Source of analysis: Lab analysis Method of reporting: As-is
Moisture: 67.8 %

	Total N (mg/kg)	Total P (mg/kg)	Total K (mg/kg)	Total salt (mg/kg)	TFS (%)
Value	3,900.00	800.00	4,900.00		5.10
DL	100.00	100.00	100.00		0.01

Field H2-2 - 10/25/2022: Wheat Hay

Wheat Hay

Sample and source description: Wheat Hay
Sample date: 04/27/2023 Source of analysis: Lab analysis Method of reporting: As-is
Moisture: 10.0 %

	Total N (mg/kg)	Total P (mg/kg)	Total K (mg/kg)	Total salt (mg/kg)	TFS (%)
Value	12,700.00	2,900.00	24,500.00		10.30
DL	100.00	100.00	100.00		0.01

Annual Report - General Order No. R5-2007-0035
Reporting period 01/01/2023 to 12/31/2023.

Field H2-2 - 06/27/2023: Corn, silage

Corn Silage

Sample and source description: Corn Silage
Sample date: 10/18/2023 Source of analysis: Lab analysis Method of reporting: As-is
Moisture: 57.9 %

	Total N (mg/kg)	Total P (mg/kg)	Total K (mg/kg)	Total salt (mg/kg)	TFS (%)
Value	4,800.00	900.00	5,800.00		5.40
DL	100.00	100.00	100.00		0.01

Field H2-3 - 10/25/2022: Wheat, silage, soft dough

Winter Forage

Sample and source description: Winter Forage
Sample date: 04/27/2023 Source of analysis: Lab analysis Method of reporting: As-is
Moisture: 66.8 %

	Total N (mg/kg)	Total P (mg/kg)	Total K (mg/kg)	Total salt (mg/kg)	TFS (%)
Value	7,200.00	1,200.00	9,700.00		13.60
DL	100.00	100.00	100.00		0.01

Field H2-3 - 06/01/2023: Corn, silage

Corn Silage

Sample and source description: Corn Silage
Sample date: 09/18/2023 Source of analysis: Lab analysis Method of reporting: As-is
Moisture: 68.9 %

	Total N (mg/kg)	Total P (mg/kg)	Total K (mg/kg)	Total salt (mg/kg)	TFS (%)
Value	4,300.00	700.00	5,800.00		7.30
DL	100.00	100.00	100.00		0.01

Annual Report - General Order No. R5-2007-0035
Reporting period 01/01/2023 to 12/31/2023.

Field H2-4 - 10/25/2022: Wheat, silage, soft dough

Winter Forage

Sample and source description: Winter Forage
Sample date: 04/27/2023 Source of analysis: Lab analysis Method of reporting: As-is
Moisture: 67.4 %

	Total N (mg/kg)	Total P (mg/kg)	Total K (mg/kg)	Total salt (mg/kg)	TFS (%)
Value	7,200.00	1,300.00	9,200.00		11.20
DL	100.00	100.00	100.00		0.01

Field H2-4 - 06/07/2023: Corn, silage

Corn Silage

Sample and source description: Corn Silage
Sample date: 09/25/2023 Source of analysis: Lab analysis Method of reporting: As-is
Moisture: 70.6 %

	Total N (mg/kg)	Total P (mg/kg)	Total K (mg/kg)	Total salt (mg/kg)	TFS (%)
Value	3,200.00	500.00	4,200.00		5.60
DL	100.00	100.00	100.00		0.01

F. SUBSURFACE (TILE) DRAINAGE ANALYSES

No subsurface (tile) drainage analyses entered.

Annual Report - General Order No. R5-2007-0035
Reporting period 01/01/2023 to 12/31/2023.

NUTRIENT APPLICATIONS, POTENTIAL REMOVAL, AND BALANCE

A. SUMMARY OF NUTRIENT APPLICATIONS, POTENTIAL REMOVAL, AND BALANCE

	Total N (lbs)	Total P (lbs)	Total K (lbs)	Total salt (lbs)
Existing soil nutrient content	0.00	0.00	0.00	0.00
Plowdown credit	0.00	0.00	0.00	0.00
Commercial fertilizer / Other	24,558.06	0.00	0.00	0.00
Dry manure	206,319.58	58,015.75	214,318.44	2,024,642.05
Process wastewater	202,228.57	27,707.88	213,050.85	1,385,726.30
Fresh water	7,958.09	0.00	0.00	246,700.66
Atmospheric deposition	12,110.00	0.00	0.00	0.00
Total nutrients applied	453,174.30	85,723.63	427,369.29	3,657,069.01
Anticipated crop nutrient removal	355,498.00	61,211.85	281,646.90	0.00
Actual crop nutrient removal	377,763.24	54,163.28	438,711.66	2,088,598.79
Nutrient balance	75,411.06	31,560.35	-11,342.37	1,568,470.22
Applied to removed ratio	1.20	1.58	0.97	1.75

B. POUNDS OF NUTRIENT APPLIED VS. CROP REMOVAL

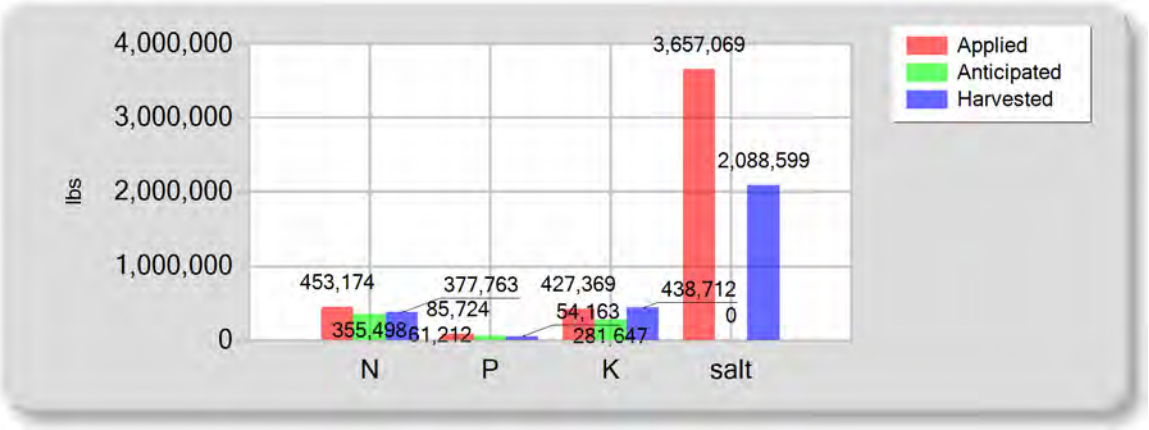

Annual Report - General Order No. R5-2007-0035
Reporting period 01/01/2023 to 12/31/2023.

C. POUNDS OF NUTRIENT APPLIED BY MATERIAL TYPE

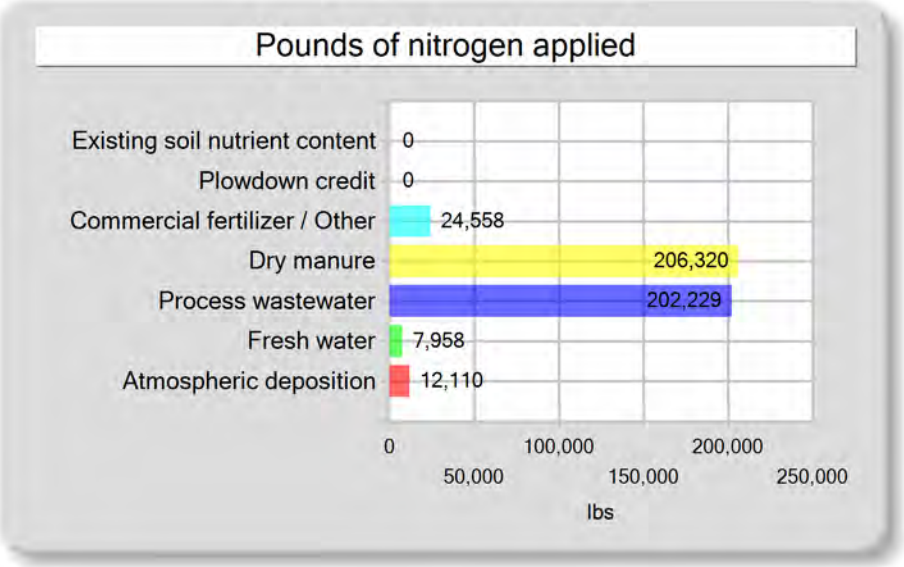

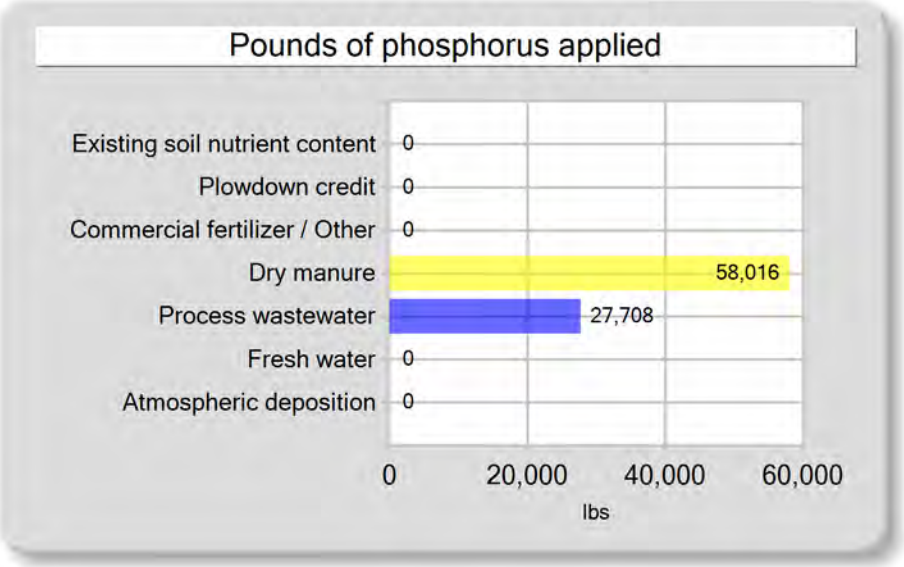

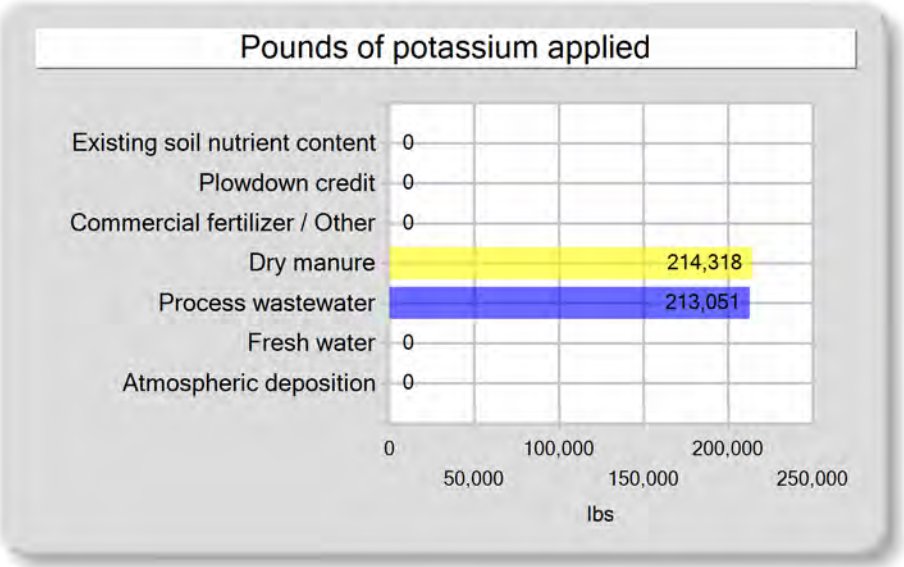

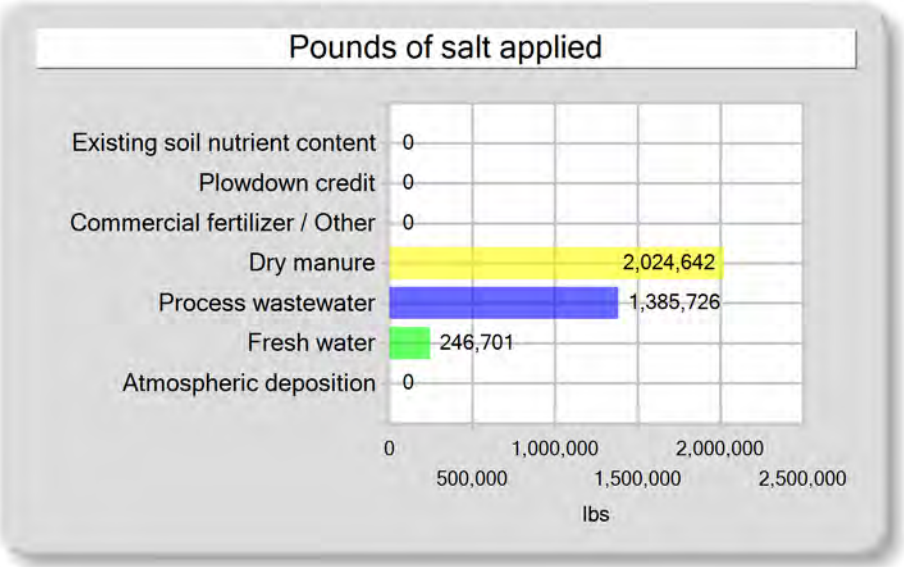

Annual Report - General Order No. R5-2007-0035
Reporting period 01/01/2023 to 12/31/2023.

EXCEPTION REPORTING

A. MANURE, PROCESS WASTEWATER, AND OTHER DAIRY WASTE DISCHARGES

The following is a summary of all manure and process wastewater discharges from the production area to surface water or to land areas (land application areas or otherwise) when not in accordance with the facility's Nutrient Management Plan.

No manure or process wastewater discharges occurred during the reporting period.

B. STORM WATER DISCHARGES

The following is a summary of all storm water discharges from the production area to surface water during the reporting period when not in accordance with the facility 's Nutrient Management Plan.

No stormwater discharges occurred during the reporting period.

C. LAND APPLICATION AREA TO SURFACE WATER DISCHARGES

The following is a summary of all discharges from the land application area to surface water that have occurred during the reporting period when not in accordance with the facility's Nutrient Management Plan.

No land application area to surface water discharges occurred during the reporting period.

NUTRIENT MANAGEMENT PLAN AND EXPORT AGREEMENT STATEMENTS

A. NUTRIENT MANAGEMENT PLAN STATEMENTS

Was the facility's NMP updated in the reporting period?	No
Was the facility's NMP developed by a certified nutrient management planner (specialist) as specified in Attachment C of the General Order?	Yes
Was the facility's NMP approved by a certified nutrient management planner (specialist) as specified in Attachment C of the General Order?	Yes

B. EXPORT AGREEMENT STATEMENT

Are there any written agreements with third parties to receive manure or process wastewater that are new or were revised within the reporting period?	No

Annual Report - General Order No. R5-2007-0035
Reporting period 01/01/2023 to 12/31/2023.

ADDITIONAL NOTES

A. NOTES

Precipitation utilized during winter months to meet forage freshwater requirements.

Irrigation wells IW 1 & 2 were non-operational in 2023. All wells will be sampled once the wells become operational and/or used during the cropping season. Heavy rains during the winter season allowed for a greater amount of surface water allocation to grow crops.

Field 1 Wheat, 2 Wheat, H2-4 Wheat had a higher than anticipated removal rate. This was due to higher than expected %N and/or yield. The %N removed, which is based on analysis derived through a certified laboratory, exceeded the anticipated values for this crop. Appropriate management practices resulted in a decent yield and higher than expected nutrient removal rate.

Field 9 Corn had a lower than anticipated removal rate, which was due to a lower than expected yield. However, the applications to this field matched the low removal rates and was able to meet the field ratio threshold of 1.4.

Field 11 Corn had a lower than anticipated removal rate due to extremely low tonnage & %N. This resulted in field ratios slightly exceeding target limits.

Field 5 & 5B was fallow during the 2023 cropping season.

Annual Report - General Order No. R5-2007-0035
Reporting period 01/01/2023 to 12/31/2023.

CERTIFICATION

A. OWNER AND/OR OPERATOR CERTIFICATION

I certify under penalty of law that I have personally examined and am familiar with the information submitted in this document and all attachments and that, based on my inquiry of those individuals immediately responsible for obtaining the information, I believe that the information is true, accurate, and complete. I am aware that there are significant penalties for submitting false information, including the possibility of fine and imprisonment.

DocuSigned by: Joe De Hoog ADE53D35A1764DC...	DocuSigned by: 7BC18FBB6CBA437...
SIGNATURE OF OWNER OF FACILITY	SIGNATURE OF OPERATOR OF FACILITY
Joe DeHoog	Cory DeHoog
PRINT OR TYPE NAME	PRINT OR TYPE NAME
6/17/2024	6/17/2024
DATE	DATE

Annual Report - General Order No. R5-2007-0035
Reporting period 01/01/2023 to 12/31/2023.

ATTACHMENTS

A. REQUIRED ATTACHMENTS

The following lists the required documents that should be attached to the Annual Report when submitted .

Annual Dairy Facility Assessment
Provide an Annual Dairy Facility Assessment (an update to the Preliminary Dairy Facility Assessment in Attachment A) for each reporting period. On the PDFA Final page, click on the ADFA Report button to generate an ADFA report after updating information as needed .

Manure/Process Wastewater Tracking Manifests
Provide copies of all manure/process wastewater tracking manifests for the reporting period, signed by both the owner/operator and the hauler.

Corrective Actions Documents
Provide records documenting any corrective actions taken to correct deficiencies noted as a result of the inspections required in the Monitoring Requirements of the General Order. Deficiencies not corrected in 30 days must be accompanied by an explanation of the factors preventing immediate correction.

Groundwater Monitoring
Dischargers that monitor supply wells or subsurface (tile) drainage systems, or that have monitoring well systems must submit monitoring results as directed in the General Order, Groundwater Reporting Section starting on page MRP-13.

Storm Water Monitoring
Dischargers that are required to monitor storm water more frequently than required in the General Order must submit monitoring results as directed in the General Order, Storm Water Reporting Section on page MRP-14.

DocuSign Envelope ID: AE78EB0B-D8AE-4514-B7F5-8FF2CD5992DC

DELLAVALLE™
LABORATORY INC

Michael DeHoog Dairy
1650 McNamara Road
Merced, CA 95341

Account# 00-0025467
Account Manager: Ben Nydam
Submitted By: Corey DeHoog

Received: 09/08/2023 15:00
Reported: 09/14/2023 10:24

Samples in this Report

Lab ID	Sample	Matrix	Sampled By	Crop	Date Sampled
23I0637-01	IW 1N	Canal Water			09/06/2023 0:00
23I0637-02	IW 3	Canal Water			09/06/2023 0:00
23I0637-03	Mid DCW1	Canal Water			09/06/2023 0:00

Default Cooler Temperature on Receipt °C: 2.8
Containers Intact
COC/Labels Agree
Received On Ice

Notes and Definitions

Item	Definition
H	Hold Time Exceeded
MCL	Drinking Water Maximum Contaminant Level
ND	Analyte NOT DETECTED at or above the reporting limit.
NES	Not Enough Sample
*	Not Taken
RPD	Relative Percent Difference
%REC	Percent Recovery
Source	Sample that was matrix spiked or duplicated.

Scott McFriedland

Laboratory Director/Technical Manager

ELAP Certification #1595
A2LA Certification #6440.02

The results in this report apply to the samples as received and were analyzed in accordance with the chain of custody document. This analytical report must be reproduced in its entirety. All results listed in this report are for the exclusive use of the submitting party. Dellavalle Laboratory, Inc. assumes no responsibility for report alteration, separation, detachment or third party interpretation.

DocuSign Envelope ID: AE78EB0B-D8AE-4514-B7F5-8FF2CD5992DC

DELLAVALLE™
LABORATORY INC

Michael DeHoog Dairy
1650 McNamara Road
Merced, CA 95341

Account# 00-0025467
Account Manager: Ben Nydam
Submitted By: Corey DeHoog

Received: 09/08/2023 15:00
Reported: 09/14/2023 10:24

Sample Results

Sample: IW 1N
23I0637-01 (Water)

Sampled: 9/6/2023 0:00
Sampled By:

Analyte	Result	Units	Reporting Limit	DIL	DW MCL	Date/Time Analyzed	Method	Notes	Batch
Electrical Conductivity	**0.36**	mmhos/cm	0.01	1		09/11/23 12:22	SM 2510 B		BEI0300
Electrical Conductivity umhos	**359**	umhos/cm	10.0	1		09/11/23 12:22	SM 2510 B		BEI0300
Nitrate Nitrogen as NO3N	**0.7**	mg/L	0.1	1	10	09/09/23 16:35	EPA 300.0		BEI0257
pH	**7.9**	units	1.0	1		09/11/23 12:22	SM 4500-H+	H	BEI0300
Total Filterable Solids (TDS)	**198**	mg/L	10.0	1		09/12/23 16:52	SM 2540 C		BEI0269
Temperature	**25.0**	°C	0.0	1		09/11/23 12:22	SM 2510 B		BEI0300
Kjeldahl Nitrogen (TKN), Total	ND	mg/L	1.00	1		09/13/23 13:29	SM 4500-NH3 C		BEI0322
Total Nitrogen	ND	mg/L	1.00	1		09/13/23 13:29	SM 4500-NH3 C		BEI0322

The results in this report apply to the samples as received and were analyzed in accordance with the chain of custody document. This analytical report must be reproduced in its entirety. All results listed in this report are for the exclusive use of the submitting party. Dellavalle Laboratory, Inc. assumes no responsibility for report alteration, separation, detachment or third party interpretation.

DocuSign Envelope ID: AE78EB0B-D8AE-4514-B7F5-8FF2CD5992DC

DELLAVALLE™ LABORATORY INC

Michael DeHoog Dairy
1650 McNamara Road
Merced, CA 95341

Account# 00-0025467
Account Manager: Ben Nydam
Submitted By: Corey DeHoog

Received: 09/08/2023 15:00
Reported: 09/14/2023 10:24

Sample Results
(Continued)

Sample: IW 3
23I0637-02 (Water)

Sampled: 9/6/2023 0:00
Sampled By:

Analyte	Result	Units	Reporting Limit	DIL	DW MCL	Date/Time Analyzed	Method	Notes	Batch
Electrical Conductivity	**0.53**	mmhos/cm	0.01	1		09/11/23 12:40	SM 2510 B		BEI0277
Electrical Conductivity umhos	**527**	umhos/cm	10.0	1		09/11/23 12:40	SM 2510 B		BEI0277
Nitrate Nitrogen as NO3N	**0.1**	mg/L	0.1	1	10	09/09/23 16:54	EPA 300.0		BEI0257
pH	**7.8**	units	1.0	1		09/11/23 12:40	SM 4500-H+	H	BEI0277
Total Filterable Solids (TDS)	**293**	mg/L	10.0	1		09/12/23 16:52	SM 2540 C		BEI0269
Temperature	**25.0**	°C	0.0	1		09/11/23 12:40	SM 2510 B		BEI0277
Kjeldahl Nitrogen (TKN), Total	ND	mg/L	1.00	1		09/13/23 13:31	SM 4500-NH3 C		BEI0322
Total Nitrogen	ND	mg/L	1.00	1		09/13/23 13:31	SM 4500-NH3 C		BEI0322

The results in this report apply to the samples as received and were analyzed in accordance with the chain of custody document. This analytical report must be reproduced in its entirety. All results listed in this report are for the exclusive use of the submitting party. Dellavalle Laboratory, Inc. assumes no responsibility for report alteration, separation, detachment or third party interpretation.

DocuSign Envelope ID: AE78EB0B-D8AE-4514-B7F5-8FF2CD5992DC

DELLAVALLE™
LABORATORY INC

Michael DeHoog Dairy
1650 McNamara Road
Merced, CA 95341

Account# 00-0025467
Account Manager: Ben Nydam
Submitted By: Corey DeHoog

Received: 09/08/2023 15:00
Reported: 09/14/2023 10:24

Sample Results
(Continued)

Sample: Mid DCW1
23I0637-03 (Water)

Sampled: 9/6/2023 0:00
Sampled By:

Analyte	Result	Units	Reporting Limit	DIL	DW MCL	Date/Time Analyzed	Method	Notes	Batch
Electrical Conductivity	**0.03**	mmhos/cm	0.01	1		09/11/23 12:42	SM 2510 B		BEI0277
Electrical Conductivity umhos	**26.0**	umhos/cm	10.0	1		09/11/23 12:42	SM 2510 B		BEI0277
Nitrate Nitrogen as NO3N	ND	mg/L	0.1	1	10	09/09/23 17:14	EPA 300.0		BEI0257
pH	**7.7**	units	1.0	1		09/11/23 12:42	SM 4500-H+	H	BEI0277
Total Filterable Solids (TDS)	**31.0**	mg/L	10.0	1		09/12/23 16:52	SM 2540 C		BEI0269
Temperature	**25.0**	°C	0.0	1		09/11/23 12:42	SM 2510 B		BEI0277
Kjeldahl Nitrogen (TKN), Total	ND	mg/L	1.00	1		09/13/23 13:32	SM 4500-NH3 C		BEI0322
Total Nitrogen	ND	mg/L	1.00	1		09/13/23 13:32	SM 4500-NH3 C		BEI0322

The results in this report apply to the samples as received and were analyzed in accordance with the chain of custody document. This analytical report must be reproduced in its entirety. All results listed in this report are for the exclusive use of the submitting party. Dellavalle Laboratory, Inc. assumes no responsibility for report alteration, separation, detachment or third party interpretation.

DocuSign Envelope ID: AE78EB0B-D8AE-4514-B7F5-8FF2CD5992DC

DELLAVALLE™ LABORATORY INC

Michael DeHoog Dairy
1650 McNamara Road
Merced, CA 95341

Account# 00-0025467
Account Manager: Ben Nydam
Submitted By: Corey DeHoog

Received: 09/08/2023 15:00
Reported: 09/14/2023 10:24

Quality Control

Analyte	Result	Qual	Reporting Limit	Units	Spike Level	Source Result	%REC	%REC Limits	RPD	RPD Limit
Batch: BEI0257										
Blank (BEI0257-BLK1)					Prepared & Analyzed: 9/9/2023					
Nitrate Nitrogen as NO3N	ND		0.1	mg/L						
Blank (BEI0257-BLK2)					Prepared & Analyzed: 9/9/2023					
Nitrate Nitrogen as NO3N	ND		0.1	mg/L						
Blank (BEI0257-BLK3)					Prepared & Analyzed: 9/9/2023					
Nitrate Nitrogen as NO3N	ND		0.1	mg/L						
Blank (BEI0257-BLK4)					Prepared & Analyzed: 9/9/2023					
Nitrate Nitrogen as NO3N	ND		0.1	mg/L						
Blank (BEI0257-BLK5)					Prepared & Analyzed: 9/10/2023					
Nitrate Nitrogen as NO3N	ND		0.1	mg/L						
LCS (BEI0257-BS1)					Prepared & Analyzed: 9/9/2023					
Nitrate Nitrogen as NO3N	5.1		0.1	mg/L	5.000		103	90-110		
LCS (BEI0257-BS2)					Prepared & Analyzed: 9/9/2023					
Nitrate Nitrogen as NO3N	5.1		0.1	mg/L	5.000		103	90-110		
LCS (BEI0257-BS3)					Prepared & Analyzed: 9/9/2023					
Nitrate Nitrogen as NO3N	5.2		0.1	mg/L	5.000		104	90-110		
LCS (BEI0257-BS4)					Prepared & Analyzed: 9/10/2023					
Nitrate Nitrogen as NO3N	5.1		0.1	mg/L	5.000		102	90-110		
Duplicate (BEI0257-DUP1)		**Source: 23I0636-01**			Prepared & Analyzed: 9/9/2023					
Nitrate Nitrogen as NO3N	0.04		0.1	mg/L		0.03			2.90	10
Duplicate (BEI0257-DUP2)		**Source: 23I0636-03**			Prepared & Analyzed: 9/9/2023					
Nitrate Nitrogen as NO3N	0.04		0.1	mg/L		0.03			2.90	10
Duplicate (BEI0257-DUP3)		**Source: 23I0651-01**			Prepared & Analyzed: 9/9/2023					
Nitrate Nitrogen as NO3N	5.4		0.1	mg/L		5.4			0.130	10
Duplicate (BEI0257-DUP4)		**Source: 23I0651-05**			Prepared & Analyzed: 9/10/2023					
Nitrate Nitrogen as NO3N	3.1		0.1	mg/L		3.1			1.03	10
Matrix Spike (BEI0257-MS1)		**Source: 23I0636-01**			Prepared & Analyzed: 9/9/2023					
Nitrate Nitrogen as NO3N	5.3		0.1	mg/L	5.000	0.03	104	90-110		
Matrix Spike (BEI0257-MS2)		**Source: 23I0636-03**			Prepared & Analyzed: 9/9/2023					
Nitrate Nitrogen as NO3N	5.3		0.1	mg/L	5.000	0.03	105	90-110		

The results in this report apply to the samples as received and were analyzed in accordance with the chain of custody document. This analytical report must be reproduced in its entirety. All results listed in this report are for the exclusive use of the submitting party. Dellavalle Laboratory, Inc. assumes no responsibility for report alteration, separation, detachment or third party interpretation.

DocuSign Envelope ID: AE78EB0B-D8AE-4514-B7F5-8FF2CD5992DC

DELLAVALLE™ LABORATORY INC

Michael DeHoog Dairy
1650 McNamara Road
Merced, CA 95341

Account# 00-0025467
Account Manager: Ben Nydam
Submitted By: Corey DeHoog

Received: 09/08/2023 15:00
Reported: 09/14/2023 10:24

Quality Control
(Continued)

Analyte	Result	Qual	Reporting Limit	Units	Spike Level	Source Result	%REC	%REC Limits	RPD	RPD Limit
Batch: BEI0257 (Continued)										
Matrix Spike (BEI0257-MS3)			**Source: 23I0651-01**		Prepared & Analyzed: 9/9/2023					
Nitrate Nitrogen as NO3N	10.6		0.1	mg/L	5.000	5.4	104	90-110		
Matrix Spike (BEI0257-MS4)			**Source: 23I0651-05**		Prepared & Analyzed: 9/10/2023					
Nitrate Nitrogen as NO3N	8.4		0.1	mg/L	5.000	3.1	106	90-110		
Reference (BEI0257-SRM1)					Prepared & Analyzed: 9/9/2023					
Nitrate Nitrogen as NO3N	10.3			mg/L	10.00		103	90-110		
Reference (BEI0257-SRM2)					Prepared & Analyzed: 9/9/2023					
Nitrate Nitrogen as NO3N	10.3			mg/L	10.00		103	90-110		
Reference (BEI0257-SRM3)					Prepared & Analyzed: 9/9/2023					
Nitrate Nitrogen as NO3N	10.4			mg/L	10.00		104	90-110		
Reference (BEI0257-SRM4)					Prepared & Analyzed: 9/9/2023					
Nitrate Nitrogen as NO3N	10.4			mg/L	10.00		104	90-110		
Reference (BEI0257-SRM5)					Prepared & Analyzed: 9/10/2023					
Nitrate Nitrogen as NO3N	10.5			mg/L	10.00		105	90-110		

The results in this report apply to the samples as received and were analyzed in accordance with the chain of custody document. This analytical report must be reproduced in its entirety. All results listed in this report are for the exclusive use of the submitting party. Dellavalle Laboratory, Inc. assumes no responsibility for report alteration, separation, detachment or third party interpretation.

DocuSign Envelope ID: AE78EB0B-D8AE-4514-B7F5-8FF2CD5992DC

DELLAVALLE™ LABORATORY INC

Michael DeHoog Dairy
1650 McNamara Road
Merced, CA 95341

Account# 00-0025467
Account Manager: Ben Nydam
Submitted By: Corey DeHoog

Received: 09/08/2023 15:00
Reported: 09/14/2023 10:24

Quality Control
(Continued)

Analyte	Result	Qual	Reporting Limit	Units	Spike Level	Source Result	%REC	%REC Limits	RPD	RPD Limit
Batch: BEI0269										
Blank (BEI0269-BLK1)					Prepared: 9/11/2023	Analyzed: 9/12/2023				
Total Filterable Solids (TDS)	ND		10.0	mg/L						
LCS (BEI0269-BS1)					Prepared: 9/11/2023	Analyzed: 9/12/2023				
Total Filterable Solids (TDS)	12.5		10.0	mg/L	2000		0.625	0-200		
Duplicate (BEI0269-DUP1)		**Source: 23I0618-01**			Prepared: 9/11/2023	Analyzed: 9/12/2023				
Total Filterable Solids (TDS)	1500		10.0	mg/L		1450			3.39	10
Duplicate (BEI0269-DUP2)		**Source: 23I0623-01**			Prepared: 9/11/2023	Analyzed: 9/12/2023				
Total Filterable Solids (TDS)	6300		10.0	mg/L		5750			9.13	10
Reference (BEI0269-SRM1)					Prepared: 9/11/2023	Analyzed: 9/12/2023				
Total Filterable Solids (TDS)	320			mg/L	325.0		98.5	90-110		

The results in this report apply to the samples as received and were analyzed in accordance with the chain of custody document. This analytical report must be reproduced in its entirety. All results listed in this report are for the exclusive use of the submitting party. Dellavalle Laboratory, Inc. assumes no responsibility for report alteration, separation, detachment or third party interpretation.

DocuSign Envelope ID: AE78EB0B-D8AE-4514-B7F5-8FF2CD5992DC

DELLAVALLE™ LABORATORY INC

Michael DeHoog Dairy
1650 McNamara Road
Merced, CA 95341

Account# 00-0025467
Account Manager: Ben Nydam
Submitted By: Corey DeHoog

Received: 09/08/2023 15:00
Reported: 09/14/2023 10:24

Quality Control
(Continued)

Analyte	Result	Qual	Reporting Limit	Units	Spike Level	Source Result	%REC	%REC Limits	RPD	RPD Limit
Batch: BEI0277										
Blank (BEI0277-BLK1)					Prepared & Analyzed: 9/11/2023					
pH	5.3		1.0	units						
Electrical Conductivity	ND		0.01	mmhos/cm						
Temperature	25.0		0.0	°C						
Electrical Conductivity umhos	ND		10.0	umhos/cm						
Blank (BEI0277-BLK2)					Prepared & Analyzed: 9/11/2023					
pH	7.1		1.0	units						
Electrical Conductivity	ND		0.01	mmhos/cm						
Temperature	25.0		0.0	°C						
Electrical Conductivity umhos	ND		10.0	umhos/cm						
Blank (BEI0277-BLK3)					Prepared & Analyzed: 9/11/2023					
Electrical Conductivity	ND		0.01	mmhos/cm						
pH	7.3		1.0	units						
Temperature	25.0		0.0	°C						
Electrical Conductivity umhos	ND		10.0	umhos/cm						
Duplicate (BEI0277-DUP1)		**Source: 23I0640-01**			Prepared & Analyzed: 9/11/2023					
Electrical Conductivity	3.36		0.01	mmhos/cm		3.38			0.587	10
pH	7.5		1.0	units		7.4			1.34	10
Electrical Conductivity umhos	3360		10.0	umhos/cm		3380			0.587	10
Duplicate (BEI0277-DUP2)		**Source: 23I0661-02**			Prepared & Analyzed: 9/11/2023					
Electrical Conductivity	0.70		0.01	mmhos/cm		0.70			0.143	10
pH	8.0		1.0	units		8.0			0.125	10
Electrical Conductivity umhos	701		10.0	umhos/cm		702			0.143	10
Reference (BEI0277-SRM1)					Prepared & Analyzed: 9/11/2023					
Electrical Conductivity	575			umhos/cm	538.0		107	90-110		
Reference (BEI0277-SRM2)					Prepared & Analyzed: 9/11/2023					
pH	5.8			units	5.820		99.7	28178-101.71		
Reference (BEI0277-SRM3)					Prepared & Analyzed: 9/11/2023					
Electrical Conductivity	1080			umhos/cm	1000		108	90-110		
Electrical Conductivity umhos	1080			umhos/cm	1000		108	90-110		
Reference (BEI0277-SRM4)					Prepared & Analyzed: 9/11/2023					
Electrical Conductivity	1080			umhos/cm	1000		108	90-110		
Electrical Conductivity umhos	1080			umhos/cm	1000		108	90-110		
Reference (BEI0277-SRM5)					Prepared & Analyzed: 9/11/2023					
Electrical Conductivity	1070			umhos/cm	1000		107	90-110		

The results in this report apply to the samples as received and were analyzed in accordance with the chain of custody document. This analytical report must be reproduced in its entirety. All results listed in this report are for the exclusive use of the submitting party. Dellavalle Laboratory, Inc. assumes no responsibility for report alteration, separation, detachment or third party interpretation.

DocuSign Envelope ID: AE78EB0B-D8AE-4514-B7F5-8FF2CD5992DC

DELLAVALLE™ LABORATORY INC

Michael DeHoog Dairy
1650 McNamara Road
Merced, CA 95341

Account# 00-0025467
Account Manager: Ben Nydam
Submitted By: Corey DeHoog

Received: 09/08/2023 15:00
Reported: 09/14/2023 10:24

Quality Control
(Continued)

Analyte	Result	Qual	Reporting Limit	Units	Spike Level	Source Result	%REC	%REC Limits	RPD	RPD Limit
Batch: BEI0277 (Continued)										
Reference (BEI0277-SRM5)					Prepared & Analyzed: 9/11/2023					
Electrical Conductivity umhos	1070			umhos/cm	1000		107	90-110		
Reference (BEI0277-SRM6)					Prepared & Analyzed: 9/11/2023					
pH	4.0			units	4.000		99.5	97.5-102.5		
Reference (BEI0277-SRM7)					Prepared & Analyzed: 9/11/2023					
pH	4.0			units	4.000		99.8	97.5-102.5		
Reference (BEI0277-SRM8)					Prepared & Analyzed: 9/11/2023					
pH	4.0			units	4.000		99.5	97.5-102.5		

The results in this report apply to the samples as received and were analyzed in accordance with the chain of custody document. This analytical report must be reproduced in its entirety. All results listed in this report are for the exclusive use of the submitting party. Dellavalle Laboratory, Inc. assumes no responsibility for report alteration, separation, detachment or third party interpretation.

DocuSign Envelope ID: AE78EB0B-D8AE-4514-B7F5-8FF2CD5992DC

DELLAVALLE™ LABORATORY INC

Michael DeHoog Dairy
1650 McNamara Road
Merced, CA 95341

Account# 00-0025467
Account Manager: Ben Nydam
Submitted By: Corey DeHoog

Received: 09/08/2023 15:00
Reported: 09/14/2023 10:24

Quality Control
(Continued)

Analyte	Result	Qual	Reporting Limit	Units	Spike Level	Source Result	%REC	%REC Limits	RPD	RPD Limit
Batch: BEI0300										
Blank (BEI0300-BLK1)					Prepared & Analyzed: 9/11/2023					
pH	6.4		1.0	units						
Electrical Conductivity	ND		0.01	mmhos/cm						
Temperature	25.0		0.0	°C						
Electrical Conductivity umhos	ND		10.0	umhos/cm						
Blank (BEI0300-BLK3)					Prepared & Analyzed: 9/11/2023					
pH	6.9		1.0	units						
Electrical Conductivity	ND		0.01	mmhos/cm						
Electrical Conductivity umhos	ND		10.0	umhos/cm						
Temperature	25.0		0.0	°C						
Duplicate (BEI0300-DUP2)		**Source: 23I0636-03**			Prepared & Analyzed: 9/11/2023					
Electrical Conductivity	0.25		0.01	mmhos/cm		0.25			0.162	10
pH	8.0		1.0	units		8.0			0.00	10
Electrical Conductivity umhos	247		10.0	umhos/cm		248			0.162	10
Reference (BEI0300-SRM1)					Prepared & Analyzed: 9/11/2023					
Electrical Conductivity	577			umhos/cm	538.0		107	90-110		
Reference (BEI0300-SRM2)					Prepared & Analyzed: 9/11/2023					
pH	5.8			units	5.820		100	28178-101.7		
Reference (BEI0300-SRM3)					Prepared & Analyzed: 9/11/2023					
Electrical Conductivity	1080			umhos/cm	1000		108	90-110		
Electrical Conductivity umhos	1080			umhos/cm	1000		108	90-110		
Reference (BEI0300-SRM5)					Prepared & Analyzed: 9/11/2023					
Electrical Conductivity	1080			umhos/cm	1000		108	90-110		
Electrical Conductivity umhos	1080			umhos/cm	1000		108	90-110		
Reference (BEI0300-SRM6)					Prepared & Analyzed: 9/11/2023					
pH	4.0			units	4.000		99.8	97.5-102.5		
Reference (BEI0300-SRM8)					Prepared & Analyzed: 9/11/2023					
pH	4.0			units	4.000		99.5	97.5-102.5		

The results in this report apply to the samples as received and were analyzed in accordance with the chain of custody document. This analytical report must be reproduced in its entirety. All results listed in this report are for the exclusive use of the submitting party. Dellavalle Laboratory, Inc. assumes no responsibility for report alteration, separation, detachment or third party interpretation.

DocuSign Envelope ID: AE78EB0B-D8AE-4514-B7F5-8FF2CD5992DC

DELLAVALLE™ LABORATORY INC

Michael DeHoog Dairy
1650 McNamara Road
Merced, CA 95341

Account# 00-0025467
Account Manager: Ben Nydam
Submitted By: Corey DeHoog

Received: 09/08/2023 15:00
Reported: 09/14/2023 10:24

Quality Control
(Continued)

Analyte	Result	Qual	Reporting Limit	Units	Spike Level	Source Result	%REC	%REC Limits	RPD	RPD Limit
Batch: BEI0322										
Blank (BEI0322-BLK1)					Prepared: 9/12/2023	Analyzed: 9/13/2023				
Kjeldahl Nitrogen (TKN), Total	ND		1.00	mg/L						
Total Nitrogen	ND		1.00	mg/L						
Blank (BEI0322-BLK2)					Prepared: 9/12/2023	Analyzed: 9/13/2023				
Kjeldahl Nitrogen (TKN), Total	ND		1.00	mg/L						
Total Nitrogen	ND		1.00	mg/L						
LCS (BEI0322-BS1)					Prepared: 9/12/2023	Analyzed: 9/13/2023				
Kjeldahl Nitrogen (TKN), Total	6.00		1.00	mg/L	5.709		105	90-110		
LCS (BEI0322-BS2)					Prepared: 9/12/2023	Analyzed: 9/13/2023				
Kjeldahl Nitrogen (TKN), Total	6.04		1.00	mg/L	5.709		106	90-110		
Duplicate (BEI0322-DUP1)		**Source: 23I0628-01**			Prepared: 9/12/2023	Analyzed: 9/13/2023				
Kjeldahl Nitrogen (TKN), Total	8.63		3.50	mg/L		8.44			2.15	10
Duplicate (BEI0322-DUP2)		**Source: 23I0639-01**			Prepared: 9/12/2023	Analyzed: 9/13/2023				
Kjeldahl Nitrogen (TKN), Total	27.1		3.50	mg/L		26.8			1.16	10
Matrix Spike (BEI0322-MS1)		**Source: 23I0628-01**			Prepared: 9/12/2023	Analyzed: 9/13/2023				
Kjeldahl Nitrogen (TKN), Total	18.8		3.50	mg/L	9.990	8.44	103	90-110		
Matrix Spike (BEI0322-MS2)		**Source: 23I0639-01**			Prepared: 9/12/2023	Analyzed: 9/13/2023				
Kjeldahl Nitrogen (TKN), Total	43.5		3.50	mg/L	9.990	26.8	167	90-110		
Reference (BEI0322-SRM1)					Prepared: 9/12/2023	Analyzed: 9/13/2023				
Kjeldahl Nitrogen (TKN), Total	24.3			mg/L	23.80		102	90-110		

The results in this report apply to the samples as received and were analyzed in accordance with the chain of custody document. This analytical report must be reproduced in its entirety. All results listed in this report are for the exclusive use of the submitting party. Dellavalle Laboratory, Inc. assumes no responsibility for report alteration, separation, detachment or third party interpretation.

DocuSign Envelope ID: AE78EB0B-D8AE-4514-B7F5-8FF2CD5992DC

09/08/23 15:00 23I0637

Shipping Information: Shipped In ☐ Picked-Up ☒ Walk In ☐ DLI Sampler ☐ Other ☐ _____

☐ Samples refridgerated before pick up | ☐ Picked up samples placed in Ice chest

Container: Ice Chest ☒ Box ☐ None ☐ | **Refrigerant:** Wet Ice ☒ Blue Ice ☐ None ☐

Samples Preserved with HNO_3 or H_2SO_4 were: ☐ Received Preserved ☒ Preserved Upon Receipt at Laboratory

	Type of Container(s) Received	Sample Number 1	2	3	4	5	6	7	8	9	10
	Sample Containers for Internal (DLI) Use *(Containers that go into the Lab)*										
Plastics	100 mL sterile plastic $Na_2S_2O_3$ (Green)										
	250 mL unpreserved (White) Plastic										
	250 mL HNO_3 (Red) Plastic										
	* pH Value										
	250 mL H_2SO_4 (Yellow) Plastic	1	1								
	* pH Value	<2	<2								
	500 mL unpreserved (White) Plastic										
	1 L unpreserved (White) Plastic	1	1								
	1 L unpreserved (BOD) (Purple) Plastic										
Special	500mL unpreserved (White) Glass										
	PO4-P Kit										
	Other:										
	Sample Containers for Subcontracted ("Send Out") Analyses *(Containers that go in the Subcontract ("Send Out") Refrigerator)*										
Plastics	100 mL sterile plastic $Na_2S_2O_3$ (Green)										
	250 mL unpreserved (White) Plastic										
	250 mL HNO_3 (Red) Plastic										
	250 mL H_2SO_4 (Yellow) Plastic										
	500 mL HNO_3 (Red)										
	1 L unpreserved (White) Plastic										
	1 L unpreserved (BOD) (Purple) Plastic										
	1 L HNO_3 (Red)										
VOA Vials	40 mL VOA, $Na_2S_2O_3$ + MCAA (EPA531)										
	40 mL VOA, $Na_2S_2O_3$ (EPA547)										
	40mL AG VOA unpreserved (White) (Set of 3)										
	40 mL AG VOA, $Na_2S_2O_3$ (Green) (Set of 3)										
	40mL VOA, H_3PO_4 (Set of 3)										
	40 mL VOA, HCl (Blue) (Set of 3)										
	40 mL VOA, $Na_2S_2O_3$ (Green) (Set of 3)										
Glass	250 mL AG unpreserved (White)										
	250 mL AG H_2SO_4 (Yellow)										
	250 mL AG $Na_2S_2O_3$ (Green)										
	250 mL AG $Na_2S_2O_3$ + MCAA										
	500 mL glass unpreserved (White)										
	500 mL AG HCl (Blue)										
	1 L AG unpreserved (White)										
	1 L AG H_2SO_4 (Yellow)										
	1 L AG $Na_2S_2O_3$ (Green)										
	1 L AG HCl (Blue)										
Special	Cr^{6+} - 50mL Plastic w/Borate/HCO_3/CO_3										
	Cyanide - 500 mL NaOH										
	Asbestos - 1L P wrapped in foil (Set of 2)										
	Sulfide - 1 L **AG** or **P** NaOH + ZnAc										
	Chlorite/Bromate - 250 mL AG with EDA										
	HAA5 - 250mL AG Ammonium Chlorite										
	DO KIT										
	Other:										
	Other:										

pH Strips
Lot: 10BDH4501 Exp: Jan 2025

SEND OUT

DocuSign Envelope ID: AE78EB0B-D8AE-4514-B7F5-8FF2CD5992DC

WATER WORK REQUEST

DELLAVALLE LABORATORY, INC.
1910 W. McKinley Avenue, Suite 110 • Fresno, CA 93728
www.dellavallelab.com 559 233-6129 · 800 228-9896 · Fax 559 268-8174

Purchase Order No

Bill To: Acct # 25467 14271 | Cons # 8 00

No. Samples: 23 No of Bottles: 6

Results Need By

Water Type: [ ] Drinking Water [ ] Wastewater
[X] Ag Water [ ] Groundwater [ ] Monitoring Well

Name: Michael DeHoog Dairy

Other:

Address:

City: **State:** CA **Zip:**

Telephone: **Fax:**

Cell/Email:

COPY TO: labs@fragservices.com
krhodes@fragservices.com

REQUESTED BY: Corey DeHoog

PROJECT:

CROP:

[X] Copy of Chain [X] QA/QC Documents

Sampled By:

Analysis and Bottles Required: (*Please indicate Analysis*)

( ) DWW1: EC, NO_3-N NH4-N Field Test
(1-1 Liter Plastic, Unpreserved) White Per Sample

( ) DWW2: DWW1 Plus SO_4, CO_3, HCO_3, Cl, Ca, Mg, Na, TDS
(1-1 Liter Plastic, Unpreserved) White Per Sample

(X) DCW1: EC, NO_3-N, TKN, TN, TDS
(1-1 Liter Plastic, Unpreserved) White Per Sample

( ) DPW1: EC, NO_3-N, NH_4-N, TKN, TDS, TP, TK
(1-1 Liter Plastic, Unpreserved) White Per Sample

( ) DPW2: DPW1 Plus Ca, Mg, Na, HCO_3, CO_3, SO_4, Cl
(1-1 Liter Plastic, Unpreserved) White Per Sample

( ) Other

	Description of Samples	Date Sampled	Time Sampled	Rec'd Temp °C	Field NH_4-N
1	1W 1N	9/6	1	2.8	
2	1W 3	9/6		1.5	
3	Mid DCW1	9/6		1.4	
4					
5					
6					
7					
8					
9					
10					

09/08/23 15:00 23I0637

IR Thermometer SN: 200560723
Correction Factor: 0°C
Calibration Due: 9/26/2023
Location: Laboratory

CHAIN OF CUSTODY

Carrier	Signature	Company	Received (Date/Time)	Relinquished (Date/Time)
First	Kirk	F&R Ag	9/6 1315	9/7
Second		DLI	9/8 10:39	9/8 1:55
Third				
Fourth	JS	DLI	9/8/23 15:00	

I guarantee that as the client, or on behalf of client named, I have the authority to contract the above requested services. Should it be found that I do not have such authority, I agree to be personally liable for all costs and, if there should be action against me for this breach, reasonable attorneys' fees. It is understood that payment is expected to be cash with samples unless terms have been previously arranged. Terms are net 30 days; overdue accounts will be charged a liquidated damage fee of 2% per month (annually 24%) or $5.00 per month whichever is greater.

If payment is not made when due and a legitimate dispute exists concerning the product or services of Dellavalle Laboratory, Inc., it will be submitted to mediation under the Rules and Procedures of Creative Alternative to Litigation, Inc. (*cal*). If the dispute is not resolved in mediation, then the dispute will be submitted to binding arbitration through *cal* under its Rules and Procedures. The parties will equally bear the costs of mediation/arbitration. If, however, the mediator declares that no legitimate dispute exists, then debtor will pay all mediation and arbitration costs, and in the event of arbitration, reasonable attorneys' fees of Dellavalle Laboratory.

Invoicing Information:

Sampling hrs
Miles
Consulting

Shipping

$ In
$ Out

Amt Paid	Rec By	Check #	Date

Signature

Sample received in cooler with ice (coolant)
[ ] Yes [ ] No

DELLAVALLE™
LABORATORY INC

Michael DeHoog Dairy
1650 McNamara Road
Merced, CA 95341

Account# 00-0025467
Account Manager: Ben Nydam
Submitted By: Cory

Received: 11/30/2023 15:31
Reported: 12/07/2023 12:07

Samples in this Report

Lab ID	Sample	Matrix	Sampled By	Crop	Date Sampled
23K1424-01	IW #4	Ag Water	Cory	Irrigation Well	11/30/2023 7:30

Default Cooler Temperature on Receipt °C: -2.1
Containers Intact
COC/Labels Agree
Received On Ice

Notes and Definitions

Item	Definition
H	Hold Time Exceeded
MCL	Drinking Water Maximum Contaminant Level
ND	Analyte NOT DETECTED at or above the reporting limit.
NES	Not Enough Sample
*	Not Taken
RPD	Relative Percent Difference
%REC	Percent Recovery
Source	Sample that was matrix spiked or duplicated.

Scott McFriedland

Laboratory Director/Technical Manager

ELAP Certification #1595
A2LA Certification #6440.02

The results in this report apply to the samples as received and were analyzed in accordance with the chain of custody document. This analytical report must be reproduced in its entirety. All results listed in this report are for the exclusive use of the submitting party. Dellavalle Laboratory, Inc. assumes no responsibility for report alteration, separation, detachment or third party interpretation.

DocuSign Envelope ID: AE78EB0B-D8AE-4514-B7F5-8FF2CD5992DC

DELLAVALLE™ LABORATORY INC

Michael DeHoog Dairy
1650 McNamara Road
Merced, CA 95341

Account# 00-0025467
Account Manager: Ben Nydam
Submitted By: Cory

Received: 11/30/2023 15:31
Reported: 12/07/2023 12:07

Sample Results

Sample: IW #4
23K1424-01 (Water)

Sampled: 11/30/2023 7:30
Sampled By: Cory

Analyte	Result	Units	Reporting Limit	DIL	DW MCL	Date/Time Analyzed	Method	Notes	Batch
Electrical Conductivity	**0.26**	mmhos/cm	0.01	1		12/04/23 15:56	SM 2510 B		BEL0034
Electrical Conductivity umhos	**261**	umhos/cm	10.0	1		12/04/23 15:56	SM 2510 B		BEL0034
Nitrate Nitrogen as NO3N	ND	mg/L	0.1	1	10	11/30/23 20:50	EPA 300.0		BEK0911
Temperature	**25.0**	units	0.0	1		12/04/23 15:56	SM 4500-H+	H	BEL0034
pH	**7.7**	units	1.0	1		12/04/23 15:56	SM 4500-H+	H	BEL0034
Total Filterable Solids (TDS)	**212**	mg/L	10.0	1		12/04/23 15:41	SM 2540 C		BEL0003
Kjeldahl Nitrogen (TKN), Total	ND	mg/L	1.00	1		12/04/23 10:39	SM 4500-NH3 C		BEK0902
Total Nitrogen	ND	mg/L	1.00	1		12/04/23 10:39	SM 4500-NH3 C		BEK0902

The results in this report apply to the samples as received and were analyzed in accordance with the chain of custody document. This analytical report must be reproduced in its entirety. All results listed in this report are for the exclusive use of the submitting party. Dellavalle Laboratory, Inc. assumes no responsibility for report alteration, separation, detachment or third party interpretation.

DELLAVALLE™ LABORATORY INC

Michael DeHoog Dairy
1650 McNamara Road
Merced, CA 95341

Account# 00-0025467
Account Manager: Ben Nydam
Submitted By: Cory

Received: 11/30/2023 15:31
Reported: 12/07/2023 12:07

Quality Control

Analyte	Result	Qual	Reporting Limit	Units	Spike Level	Source Result	%REC	%REC Limits	RPD	RPD Limit
Batch: BEK0902										
Blank (BEK0902-BLK2)					Prepared: 12/1/2023	Analyzed: 12/4/2023				
Kjeldahl Nitrogen (TKN), Total	ND		1.00	mg/L						
Total Nitrogen	ND		1.00	mg/L						
LCS (BEK0902-BS1)					Prepared: 12/1/2023	Analyzed: 12/4/2023				
Kjeldahl Nitrogen (TKN), Total	4.95		1.00	mg/L	5.709		86.7	90-110		
LCS (BEK0902-BS2)					Prepared: 12/1/2023	Analyzed: 12/4/2023				
Kjeldahl Nitrogen (TKN), Total	5.59		1.00	mg/L	5.709		98.0	90-110		
Duplicate (BEK0902-DUP1)		**Source: 23K1424-01**			Prepared: 12/1/2023	Analyzed: 12/4/2023				
Kjeldahl Nitrogen (TKN), Total	ND		1.40	mg/L		ND				10
Duplicate (BEK0902-DUP2)		**Source: 23K1446-02**			Prepared: 12/1/2023	Analyzed: 12/4/2023				
Kjeldahl Nitrogen (TKN), Total	ND		3.50	mg/L		ND				10
Matrix Spike (BEK0902-MS1)		**Source: 23K1424-01**			Prepared: 12/1/2023	Analyzed: 12/4/2023				
Kjeldahl Nitrogen (TKN), Total	8.03		1.40	mg/L	7.992	ND	101	90-110		
Matrix Spike (BEK0902-MS2)		**Source: 23K1446-02**			Prepared: 12/1/2023	Analyzed: 12/4/2023				
Kjeldahl Nitrogen (TKN), Total	10.6		3.50	mg/L	9.990	ND	106	90-110		
Reference (BEK0902-SRM1)					Prepared: 12/1/2023	Analyzed: 12/4/2023				
Kjeldahl Nitrogen (TKN), Total	24.0			mg/L	23.80		101	90-110		

The results in this report apply to the samples as received and were analyzed in accordance with the chain of custody document. This analytical report must be reproduced in its entirety. All results listed in this report are for the exclusive use of the submitting party. Dellavalle Laboratory, Inc. assumes no responsibility for report alteration, separation, detachment or third party interpretation.

DELLAVALLE™ LABORATORY INC

Michael DeHoog Dairy
1650 McNamara Road
Merced, CA 95341

Account# 00-0025467
Account Manager: Ben Nydam
Submitted By: Cory

Received: 11/30/2023 15:31
Reported: 12/07/2023 12:07

Quality Control
(Continued)

Analyte	Result	Qual	Reporting Limit	Units	Spike Level	Source Result	%REC	%REC Limits	RPD	RPD Limit
Batch: BEK0911										
Blank (BEK0911-BLK1)					Prepared & Analyzed: 11/30/2023					
Nitrate Nitrogen as NO3N	ND		0.1	mg/L						
Blank (BEK0911-BLK2)					Prepared & Analyzed: 11/30/2023					
Nitrate Nitrogen as NO3N	ND		0.1	mg/L						
Blank (BEK0911-BLK3)					Prepared & Analyzed: 11/30/2023					
Nitrate Nitrogen as NO3N	ND		0.1	mg/L						
LCS (BEK0911-BS1)					Prepared & Analyzed: 11/30/2023					
Nitrate Nitrogen as NO3N	5.1		0.1	mg/L	5.000		102	90-110		
LCS (BEK0911-BS2)					Prepared & Analyzed: 12/1/2023					
Nitrate Nitrogen as NO3N	5.1		0.1	mg/L	5.000		102	90-110		
Duplicate (BEK0911-DUP1)		**Source: 23K1407-01**			Prepared & Analyzed: 11/30/2023					
Nitrate Nitrogen as NO3N	1.6		0.1	mg/L		1.6			4.39	10
Duplicate (BEK0911-DUP2)		**Source: 23K1413-01**			Prepared & Analyzed: 12/1/2023					
Nitrate Nitrogen as NO3N	3.4		0.1	mg/L		3.4			0.416	10
Matrix Spike (BEK0911-MS1)		**Source: 23K1407-01**			Prepared & Analyzed: 11/30/2023					
Nitrate Nitrogen as NO3N	6.8		0.1	mg/L	5.000	1.6	105	90-110		
Matrix Spike (BEK0911-MS2)		**Source: 23K1413-01**			Prepared & Analyzed: 11/30/2023					
Nitrate Nitrogen as NO3N	8.6		0.1	mg/L	5.000	3.4	105	90-110		
Reference (BEK0911-SRM1)					Prepared & Analyzed: 11/30/2023					
Nitrate Nitrogen as NO3N	10.3			mg/L	10.00		103	90-110		
Reference (BEK0911-SRM2)					Prepared & Analyzed: 11/30/2023					
Nitrate Nitrogen as NO3N	10.3			mg/L	10.00		103	90-110		
Reference (BEK0911-SRM3)					Prepared & Analyzed: 12/1/2023					
Nitrate Nitrogen as NO3N	10.3			mg/L	10.00		103	90-110		

The results in this report apply to the samples as received and were analyzed in accordance with the chain of custody document. This analytical report must be reproduced in its entirety. All results listed in this report are for the exclusive use of the submitting party. Dellavalle Laboratory, Inc. assumes no responsibility for report alteration, separation, detachment or third party interpretation.

DELLAVALLE™ LABORATORY INC

Michael DeHoog Dairy
1650 McNamara Road
Merced, CA 95341

Account# 00-0025467
Account Manager: Ben Nydam
Submitted By: Cory

Received: 11/30/2023 15:31
Reported: 12/07/2023 12:07

Quality Control
(Continued)

Analyte	Result	Qual	Reporting Limit	Units	Spike Level	Source Result	%REC	%REC Limits	RPD	RPD Limit
Batch: BEL0003										
Blank (BEL0003-BLK1)					Prepared: 12/1/2023	Analyzed: 12/4/2023				
Total Filterable Solids (TDS)	ND		10.0	mg/L						
LCS (BEL0003-BS1)					Prepared: 12/1/2023	Analyzed: 12/4/2023				
Total Filterable Solids (TDS)	45.0		10.0	mg/L	2000		2.25	0-200		
Duplicate (BEL0003-DUP1)			**Source: 23K1406-01**		Prepared: 12/1/2023	Analyzed: 12/4/2023				
Total Filterable Solids (TDS)	550		10.0	mg/L		550			0.00	10
Duplicate (BEL0003-DUP2)			**Source: 23K1446-03**		Prepared: 12/1/2023	Analyzed: 12/4/2023				
Total Filterable Solids (TDS)	640		10.0	mg/L		630			1.57	10
Reference (BEL0003-SRM1)					Prepared: 12/1/2023	Analyzed: 12/4/2023				
Total Filterable Solids (TDS)	320			mg/L	325.0		98.5	90-110		

The results in this report apply to the samples as received and were analyzed in accordance with the chain of custody document. This analytical report must be reproduced in its entirety. All results listed in this report are for the exclusive use of the submitting party. Dellavalle Laboratory, Inc. assumes no responsibility for report alteration, separation, detachment or third party interpretation.

DELLAVALLE™ LABORATORY INC

Michael DeHoog Dairy
1650 McNamara Road
Merced, CA 95341

Account# 00-0025467
Account Manager: Ben Nydam
Submitted By: Cory

Received: 11/30/2023 15:31
Reported: 12/07/2023 12:07

Quality Control
(Continued)

Analyte	Result	Qual	Reporting Limit	Units	Spike Level	Source Result	%REC	%REC Limits	RPD	RPD Limit
Batch: BEL0034										
Blank (BEL0034-BLK1)					Prepared & Analyzed: 12/4/2023					
Electrical Conductivity	ND		0.01	mmhos/cm						
Temperature	25.0		0.0	units						
Electrical Conductivity umhos	ND		10.0	umhos/cm						
pH	7.1		1.0	units						
Blank (BEL0034-BLK2)					Prepared & Analyzed: 12/4/2023					
Temperature	25.0		0.0	units						
Electrical Conductivity	ND		0.01	mmhos/cm						
Electrical Conductivity umhos	ND		10.0	umhos/cm						
pH	7.4		1.0	units						
Blank (BEL0034-BLK3)					Prepared & Analyzed: 12/4/2023					
Electrical Conductivity	ND		0.01	mmhos/cm						
Temperature	25.0		0.0	units						
pH	7.6		1.0	units						
Electrical Conductivity umhos	ND		10.0	umhos/cm						
Duplicate (BEL0034-DUP1)		**Source: 23K1439-03**			Prepared & Analyzed: 12/4/2023					
Electrical Conductivity	0.46		0.01	mmhos/cm		0.46			0.307	10
pH	7.5		1.0	units		7.6			0.398	10
Electrical Conductivity umhos	455		10.0	umhos/cm		457			0.307	10
Duplicate (BEL0034-DUP2)		**Source: 23K1441-05**			Prepared & Analyzed: 12/4/2023					
Electrical Conductivity	0.59		0.01	mmhos/cm		0.58			0.979	10
Electrical Conductivity umhos	585		10.0	umhos/cm		580			0.979	10
pH	7.8		1.0	units		7.7			0.129	10
Reference (BEL0034-SRM1)					Prepared & Analyzed: 12/4/2023					
Electrical Conductivity	440			umhos/cm	426.0		103	90-110		
Reference (BEL0034-SRM2)					Prepared & Analyzed: 12/4/2023					
pH	7.5			units	7.520		99.7	67021-101.32		
Reference (BEL0034-SRM3)					Prepared & Analyzed: 12/4/2023					
Electrical Conductivity	1050			umhos/cm	1000		105	90-110		
Electrical Conductivity umhos	1050			umhos/cm	1000		105	90-110		
Reference (BEL0034-SRM4)					Prepared & Analyzed: 12/4/2023					
Electrical Conductivity	1060			umhos/cm	1000		106	90-110		
Electrical Conductivity umhos	1060			umhos/cm	1000		106	90-110		
Reference (BEL0034-SRM5)					Prepared & Analyzed: 12/4/2023					
Electrical Conductivity	1060			umhos/cm	1000		106	90-110		

The results in this report apply to the samples as received and were analyzed in accordance with the chain of custody document. This analytical report must be reproduced in its entirety. All results listed in this report are for the exclusive use of the submitting party. Dellavalle Laboratory, Inc. assumes no responsibility for report alteration, separation, detachment or third party interpretation.

DELLAVALLE™ LABORATORY INC

Michael DeHoog Dairy
1650 McNamara Road
Merced, CA 95341

Account# 00-0025467
Account Manager: Ben Nydam
Submitted By: Cory

Received: 11/30/2023 15:31
Reported: 12/07/2023 12:07

Quality Control
(Continued)

Analyte	Result	Qual	Reporting Limit	Units	Spike Level	Source Result	%REC	%REC Limits	RPD	RPD Limit
Batch: BEL0034 (Continued)										
Reference (BEL0034-SRM5)					Prepared & Analyzed: 12/4/2023					
Electrical Conductivity umhos	1060			umhos/cm	1000		106	90-110		
Reference (BEL0034-SRM6)					Prepared & Analyzed: 12/4/2023					
pH	4.0			units	4.000		99.5	97.5-102.5		
Reference (BEL0034-SRM7)					Prepared & Analyzed: 12/4/2023					
pH	4.0			units	4.000		99.8	97.5-102.5		
Reference (BEL0034-SRM8)					Prepared & Analyzed: 12/4/2023					
pH	4.0			units	4.000		99.2	97.5-102.5		

The results in this report apply to the samples as received and were analyzed in accordance with the chain of custody document. This analytical report must be reproduced in its entirety. All results listed in this report are for the exclusive use of the submitting party. Dellavalle Laboratory, Inc. assumes no responsibility for report alteration, separation, detachment or third party interpretation.

DocuSign Envelope ID: AE78EB0B-D8AE-4514-B7F5-8FF2CD5992DC

WATER WORK REQUEST

DELLAVALLE LABORATORY, INC.
1910 W. McKinley Avenue, Suite 110 • Fresno, CA 93728
www.dellavallelab.com 559 233-6129 · 800 228-9896 · Fax 559 268-8174

Purchase Order No

Bill To: 254167 Acct # | 8 Cons #

No. Samples: 1 No of Bottles: 2

Results Need By

Water Type: [ ] Drinking Water [ ] Wastewater
[X] Ag Water [ ] Groundwater [ ] Monitoring Well

Name: Michael De Hoog
Address: 1650 McNamara
City: Merced **State:** CA **Zip:**
Telephone: **Fax:**
Cell/Email:
COPY TO: labs@fragservices.com
krhodes@fragservices.com
REQUESTED BY: Cory
PROJECT:
CROP: Irrigation well

[X] Copy of Chain [X] QA/QC Documents
Sampled By: Cory

Other:

Analysis and Bottles Required: (*Please indicate Analysis*)

( ) DWW1: EC, NO_3-N NH4-N Field Test
(1-1 Liter Plastic, Unpreserved) White Per Sample
( ) DWW2: DWW1 Plus SO_4, CO_3, HCO_3, Cl, Ca, Mg, Na, TDS
(1-1 Liter Plastic, Unpreserved) White Per Sample
(X) DCW1: EC, NO_3-N, TKN, TN, TDS
(1-1 Liter Plastic, Unpreserved) White Per Sample
( ) DPW1: EC, NO_3-N, NH_4-N, TKN, TDS, TP, TK
(1-1 Liter Plastic, Unpreserved) White Per Sample
( ) DPW2: DPW1 Plus Ca, Mg, Na, HCO_3, CO_3, SO_4, Cl
(1-1 Liter Plastic, Unpreserved) White Per Sample
( ) Other

	Description of Samples	Date Sampled	Time Sampled	Rec'd Temp °C	Field NH_4-N
1	IW #4	11/30	0730	-2.1	
2					
3					
4					
5					
6					
7					
8					
9					
10					

11/30/23 15:31 23K1424

IR Thermometer SN: 200560723
Correction Factor: 0°C
Calibration Due: 12/22/2023
Location: Laboratory

CHAIN OF CUSTODY

Carrier	Signature	Company	Received (Date/Time)	Relinquished (Date/Time)
First	Kierstan Rhodes	F&R Ag Services	11/30 0730	11/30 1115
Second	JLF	DLV	11-30-23 12:50	11-30-23 2:45
Third				
Fourth		DLI	11.30.23 3:21	

I guarantee that as the client, or on behalf of client named, I have the authority to contract the above requested services. Should it be found that I do not have such authority, I agree to be personally liable for all costs and, if there should be action against me for this breach, reasonable attorneys' fees. It is understood that payment is expected to be cash with samples unless terms have been previously arranged. Terms are net 30 days; overdue accounts will be charged a liquidated damage fee of 2% per month (annually 24%) or $5.00 per month whichever is greater.

If payment is not made when due and a legitimate dispute exists concerning the product or services of Dellavalle Laboratory, Inc., it will be submitted to mediation under the Rules and Procedures of Creative Alternative to Litigation, Inc. (*cal*). If the dispute is not resolved in mediation, then the dispute will be submitted to binding arbitration through ***cal*** under its Rules and Procedures. The parties will equally bear the costs of mediation/arbitration. If, however, the mediator declares that no legitimate dispute exists, then debtor will pay all mediation and arbitration costs, and in the event of arbitration, reasonable attorneys' fees of Dellavalle Laboratory.

Pricing Information:
Sampling hrs
Miles
Consulting

Shipping
$ In
$ Out

Amt Paid	Rec By	Check #	Date

Signature

Sample received in cooler with ice (coolant)
[ ] Yes [ ] No

X:\1-CLIENT CUSTOM FIELDSHEETS\FIELDSHEETS\Dairy Fieldsheets\[F & R Ag Services Water.xls]Dairy Water rev 2.8.18

DocuSign Envelope ID: AE78EB0B-D8AE-4514-B7F5-8FF2CD5992DC

Paste Label Here

11/30/23 15:31 23K1424

Shipping Information: ~~Shipped In ☐~~ Picked-Up ☑ Walk In ☐ DLI Sampler ☐ Other ☐ _____

☐ Samples refridgerated before pick up | ☐ Picked up samples placed in Ice chest

Container: Ice Chest ☑ Box ☐ None ☐ | **Refrigerant:** Wet Ice ☑ Blue Ice ☐ None ☐

Samples Preserved with HNO_3 or H_2SO_4 were: ☐ Received Preserved ☐ Preserved Upon Receipt at Laboratory

Type of Container(s) Received		Sample Number 1	2	3	4	5	6	7	8	9	10
Sample Containers for Internal (DLI) Use *(Containers that go into the Lab)*											
Plastics	100 mL sterile plastic $Na_2S_2O_3$ (Green)										
	250 mL unpreserved (White) Plastic										
	250 mL HNO_3 (Red) Plastic										
	* pH Value										
	250 mL H_2SO_4 (Yellow) Plastic	1									
	* pH Value	<2									
	500 mL unpreserved (White) Plastic										
	1 L unpreserved (White) Plastic	1									
	1 L unpreserved (BOD) (Purple) Plastic										
Special	500mL unpreserved (White) Glass										
	PO4-P Kit										
	Other:										
Sample Containers for Subcontracted ("Send Out") Analyses *(Containers that go in the Subcontract ("Send Out") Refrigerator)*											
Plastics	100 mL sterile plastic $Na_2S_2O_3$ (Green)										
	250 mL unpreserved (White) Plastic										
	250 mL HNO_3 (Red) Plastic										
	250 mL H_2SO_4 (Yellow) Plastic										
	500 mL HNO_3 (Red)										
	1 L unpreserved (White) Plastic										
	1 L unpreserved (BOD) (Purple) Plastic										
	1 L HNO_3 (Red)										
VOA Vials	40 mL VOA, $Na_2S_2O_3$ + MCAA (EPA531)										
	40 mL VOA, $Na_2S_2O_3$ (EPA547)										
	40mL AG VOA unpreserved (White) (Set of 3)										
	40 mL AG VOA, $Na_2S_2O_3$ (Green) (Set of 3)										
	40mL VOA, H_3PO_4 (Set of 3)										
	40 mL VOA, HCl (Blue) (Set of 3)										
	40 mL VOA, $Na_2S_2O_3$ (Green) (Set of 3)										
Glass	250 mL AG unpreserved (White)										
	250 mL AG H_2SO_4 (Yellow)										
	250 mL AG $Na_2S_2O_3$ (Green)										
	250 mL AG $Na_2S_2O_3$ + MCAA										
	500 mL glass unpreserved (White)										
	500 mL AG HCl (Blue)										
	1 L AG unpreserved (White)										
	1 L AG H_2SO_4 (Yellow)										
	1 L AG $Na_2S_2O_3$ (Green)										
	1 L AG HCl (Blue)										
Special	Cr^{6+} - 50mL Plastic w/Borate/HCO_3/CO_3										
	Cyanide - 500 mL NaOH										
	Asbestos - 1L P wrapped in foil (Set of 2)										
	Sulfide - 1 L **AG** or **P** NaOH + ZnAc										
	Chlorite/Bromate - 250 mL AG with EDA										
	HAA5 - 250mL AG Ammonium Chlorite										
	DO KIT										
	Other:										
	Other:										

SEND OUT

DELLAVALLE™
LABORATORY INC

Michael DeHoog Dairy
1650 McNamara Road
Merced, CA 95341

Account# 00-0025467
Account Manager: Ben Nydam
Submitted By: FR Ag Services

Received: 09/08/2023 15:00
Reported: 09/15/2023 14:49

Samples in this Report

Lab ID	Sample	Matrix	Sampled By	Crop	Date Sampled
23I0636-01	Dom S	Well Water	FR Ag Services		09/06/2023 0:00
23I0636-02	Dom W (Dairy)	Well Water	FR Ag Services		09/06/2023 0:00
23I0636-03	Dom E	Well Water	FR Ag Services		09/06/2023 0:00

Default Cooler Temperature on Receipt °C: 1.4
Containers Intact
COC/Labels Agree
Received On Ice

Notes and Definitions

Item	Definition
H	Hold Time Exceeded
MCL	Drinking Water Maximum Contaminant Level
ND	Analyte NOT DETECTED at or above the reporting limit.
NES	Not Enough Sample
*	Not Taken
RPD	Relative Percent Difference
%REC	Percent Recovery
Source	Sample that was matrix spiked or duplicated.

Scott McFriedland

Laboratory Director/Technical Manager

ELAP Certification #1595
A2LA Certification #6440.02

The results in this report apply to the samples as received and were analyzed in accordance with the chain of custody document. This analytical report must be reproduced in its entirety. All results listed in this report are for the exclusive use of the submitting party. Dellavalle Laboratory, Inc. assumes no responsibility for report alteration, separation, detachment or third party interpretation.

DocuSign Envelope ID: AE78EB0B-D8AE-4514-B7F5-8FF2CD5992DC

DELLAVALLE™ LABORATORY INC

Michael DeHoog Dairy
1650 McNamara Road
Merced, CA 95341

Account# 00-0025467
Account Manager: Ben Nydam
Submitted By: FR Ag Services

Received: 09/08/2023 15:00
Reported: 09/15/2023 14:49

Sample Results

Sample: Dom S
23I0636-01 (Water)

Sampled: 9/6/2023 0:00
Sampled By: FR Ag Services

Analyte	Result	Units	Reporting Limit	DIL	DW MCL	Date/Time Analyzed	Method	Notes	Batch
Electrical Conductivity	**0.27**	mmhos/cm	0.01	1		09/11/23 12:17	SM 2510 B		BEI0300
Electrical Conductivity umhos	**272**	umhos/cm	10.0	1		09/11/23 12:17	SM 2510 B		BEI0300
Ammonia (as N)	*	mg/L	0.00	1		09/06/23 00:00	Field		BEI0558
Nitrate Nitrogen as NO3N	ND	mg/L	0.1	1	10	09/09/23 06:39	EPA 300.0		BEI0257
pH	**7.8**	units	1.0	1		09/11/23 12:17	SM 4500-H+	H	BEI0300
Temperature	**25.0**	°C	0.0	1		09/11/23 12:17	SM 2510 B		BEI0300
Kjeldahl Nitrogen (TKN), Total	ND	mg/L	1.00	1		09/13/23 13:25	SM 4500-NH3 C		BEI0322
Total Nitrogen	ND	mg/L	1.00	1		09/13/23 13:25	SM 4500-NH3 C		BEI0322

The results in this report apply to the samples as received and were analyzed in accordance with the chain of custody document. This analytical report must be reproduced in its entirety. All results listed in this report are for the exclusive use of the submitting party. Dellavalle Laboratory, Inc. assumes no responsibility for report alteration, separation, detachment or third party interpretation.

DELLAVALLE™ LABORATORY INC

Michael DeHoog Dairy
1650 McNamara Road
Merced, CA 95341

Account# 00-0025467
Account Manager: Ben Nydam
Submitted By: FR Ag Services

Received: 09/08/2023 15:00
Reported: 09/15/2023 14:49

Sample Results
(Continued)

Sample: Dom W (Dairy)
23I0636-02 (Water)

Sampled: 9/6/2023 0:00
Sampled By: FR Ag Services

Analyte	Result	Units	Reporting Limit	DIL	DW MCL	Date/Time Analyzed	Method	Notes	Batch
Electrical Conductivity	**0.42**	mmhos/cm	0.01	1		09/11/23 12:19	SM 2510 B		BEI0300
Electrical Conductivity umhos	**417**	umhos/cm	10.0	1		09/11/23 12:19	SM 2510 B		BEI0300
Ammonia (as N)	*	mg/L	0.00	1		09/06/23 00:00	Field		BEI0558
Nitrate Nitrogen as NO3N	**0.5**	mg/L	0.1	1	10	09/09/23 16:15	EPA 300.0		BEI0257
pH	**7.9**	units	1.0	1		09/11/23 12:19	SM 4500-H+	H	BEI0300
Temperature	**25.0**	°C	0.0	1		09/11/23 12:19	SM 2510 B		BEI0300
Kjeldahl Nitrogen (TKN), Total	ND	mg/L	1.00	1		09/13/23 13:27	SM 4500-NH3 C		BEI0322
Total Nitrogen	ND	mg/L	1.00	1		09/13/23 13:27	SM 4500-NH3 C		BEI0322

The results in this report apply to the samples as received and were analyzed in accordance with the chain of custody document. This analytical report must be reproduced in its entirety. All results listed in this report are for the exclusive use of the submitting party. Dellavalle Laboratory, Inc. assumes no responsibility for report alteration, separation, detachment or third party interpretation.

DELLAVALLE™ LABORATORY INC

Michael DeHoog Dairy
1650 McNamara Road
Merced, CA 95341

Account# 00-0025467
Account Manager: Ben Nydam
Submitted By: FR Ag Services

Received: 09/08/2023 15:00
Reported: 09/15/2023 14:49

Sample Results
(Continued)

Sample: Dom E
23I0636-03 (Water)

Sampled: 9/6/2023 0:00
Sampled By: FR Ag Services

Analyte	Result	Units	Reporting Limit	DIL	DW MCL	Date/Time Analyzed	Method	Notes	Batch
Electrical Conductivity	**0.25**	mmhos/cm	0.01	1		09/11/23 12:20	SM 2510 B		BEI0300
Electrical Conductivity umhos	**248**	umhos/cm	10.0	1		09/11/23 12:20	SM 2510 B		BEI0300
Ammonia (as N)	*	mg/L	0.00	1		09/06/23 00:00	Field		BEI0558
Nitrate Nitrogen as NO3N	ND	mg/L	0.1	1	10	09/09/23 12:17	EPA 300.0		BEI0257
pH	**8.0**	units	1.0	1		09/11/23 12:20	SM 4500-H+	H	BEI0300
Temperature	**25.0**	°C	0.0	1		09/11/23 12:20	SM 2510 B		BEI0300
Kjeldahl Nitrogen (TKN), Total	ND	mg/L	1.00	1		09/13/23 13:28	SM 4500-NH3 C		BEI0322
Total Nitrogen	ND	mg/L	1.00	1		09/13/23 13:28	SM 4500-NH3 C		BEI0322

The results in this report apply to the samples as received and were analyzed in accordance with the chain of custody document. This analytical report must be reproduced in its entirety. All results listed in this report are for the exclusive use of the submitting party. Dellavalle Laboratory, Inc. assumes no responsibility for report alteration, separation, detachment or third party interpretation.

DELLAVALLE™ LABORATORY INC

Michael DeHoog Dairy
1650 McNamara Road
Merced, CA 95341

Account# 00-0025467
Account Manager: Ben Nydam
Submitted By: FR Ag Services

Received: 09/08/2023 15:00
Reported: 09/15/2023 14:49

Quality Control

Analyte	Result	Qual	Reporting Limit	Units	Spike Level	Source Result	%REC	%REC Limits	RPD	RPD Limit
Batch: BEI0257										
Blank (BEI0257-BLK1)					Prepared & Analyzed: 9/9/2023					
Nitrate Nitrogen as NO3N	ND		0.1	mg/L						
Blank (BEI0257-BLK2)					Prepared & Analyzed: 9/9/2023					
Nitrate Nitrogen as NO3N	ND		0.1	mg/L						
Blank (BEI0257-BLK3)					Prepared & Analyzed: 9/9/2023					
Nitrate Nitrogen as NO3N	ND		0.1	mg/L						
Blank (BEI0257-BLK4)					Prepared & Analyzed: 9/9/2023					
Nitrate Nitrogen as NO3N	ND		0.1	mg/L						
Blank (BEI0257-BLK5)					Prepared & Analyzed: 9/10/2023					
Nitrate Nitrogen as NO3N	ND		0.1	mg/L						
LCS (BEI0257-BS1)					Prepared & Analyzed: 9/9/2023					
Nitrate Nitrogen as NO3N	5.1		0.1	mg/L	5.000		103	90-110		
LCS (BEI0257-BS2)					Prepared & Analyzed: 9/9/2023					
Nitrate Nitrogen as NO3N	5.1		0.1	mg/L	5.000		103	90-110		
LCS (BEI0257-BS3)					Prepared & Analyzed: 9/9/2023					
Nitrate Nitrogen as NO3N	5.2		0.1	mg/L	5.000		104	90-110		
LCS (BEI0257-BS4)					Prepared & Analyzed: 9/10/2023					
Nitrate Nitrogen as NO3N	5.1		0.1	mg/L	5.000		102	90-110		
Duplicate (BEI0257-DUP1)		**Source: 23I0636-01**			Prepared & Analyzed: 9/9/2023					
Nitrate Nitrogen as NO3N	0.04		0.1	mg/L		0.03			2.90	10
Duplicate (BEI0257-DUP2)		**Source: 23I0636-03**			Prepared & Analyzed: 9/9/2023					
Nitrate Nitrogen as NO3N	0.04		0.1	mg/L		0.03			2.90	10
Duplicate (BEI0257-DUP3)		**Source: 23I0651-01**			Prepared & Analyzed: 9/9/2023					
Nitrate Nitrogen as NO3N	5.4		0.1	mg/L		5.4			0.130	10
Duplicate (BEI0257-DUP4)		**Source: 23I0651-05**			Prepared & Analyzed: 9/10/2023					
Nitrate Nitrogen as NO3N	3.1		0.1	mg/L		3.1			1.03	10
Matrix Spike (BEI0257-MS1)		**Source: 23I0636-01**			Prepared & Analyzed: 9/9/2023					
Nitrate Nitrogen as NO3N	5.3		0.1	mg/L	5.000	0.03	104	90-110		
Matrix Spike (BEI0257-MS2)		**Source: 23I0636-03**			Prepared & Analyzed: 9/9/2023					
Nitrate Nitrogen as NO3N	5.3		0.1	mg/L	5.000	0.03	105	90-110		

The results in this report apply to the samples as received and were analyzed in accordance with the chain of custody document. This analytical report must be reproduced in its entirety. All results listed in this report are for the exclusive use of the submitting party. Dellavalle Laboratory, Inc. assumes no responsibility for report alteration, separation, detachment or third party interpretation.

DELLAVALLE™ LABORATORY INC

Michael DeHoog Dairy
1650 McNamara Road
Merced, CA 95341

Account# 00-0025467
Account Manager: Ben Nydam
Submitted By: FR Ag Services

Received: 09/08/2023 15:00
Reported: 09/15/2023 14:49

Quality Control
(Continued)

Analyte	Result	Qual	Reporting Limit	Units	Spike Level	Source Result	%REC	%REC Limits	RPD	RPD Limit
Batch: BEI0257 (Continued)										
Matrix Spike (BEI0257-MS3)			**Source: 23I0651-01**		Prepared & Analyzed: 9/9/2023					
Nitrate Nitrogen as NO3N	10.6		0.1	mg/L	5.000	5.4	104	90-110		
Matrix Spike (BEI0257-MS4)			**Source: 23I0651-05**		Prepared & Analyzed: 9/10/2023					
Nitrate Nitrogen as NO3N	8.4		0.1	mg/L	5.000	3.1	106	90-110		
Reference (BEI0257-SRM1)					Prepared & Analyzed: 9/9/2023					
Nitrate Nitrogen as NO3N	10.3			mg/L	10.00		103	90-110		
Reference (BEI0257-SRM2)					Prepared & Analyzed: 9/9/2023					
Nitrate Nitrogen as NO3N	10.3			mg/L	10.00		103	90-110		
Reference (BEI0257-SRM3)					Prepared & Analyzed: 9/9/2023					
Nitrate Nitrogen as NO3N	10.4			mg/L	10.00		104	90-110		
Reference (BEI0257-SRM4)					Prepared & Analyzed: 9/9/2023					
Nitrate Nitrogen as NO3N	10.4			mg/L	10.00		104	90-110		
Reference (BEI0257-SRM5)					Prepared & Analyzed: 9/10/2023					
Nitrate Nitrogen as NO3N	10.5			mg/L	10.00		105	90-110		

The results in this report apply to the samples as received and were analyzed in accordance with the chain of custody document. This analytical report must be reproduced in its entirety. All results listed in this report are for the exclusive use of the submitting party. Dellavalle Laboratory, Inc. assumes no responsibility for report alteration, separation, detachment or third party interpretation.

DELLAVALLE™ LABORATORY INC

Michael DeHoog Dairy
1650 McNamara Road
Merced, CA 95341

Account# 00-0025467
Account Manager: Ben Nydam
Submitted By: FR Ag Services

Received: 09/08/2023 15:00
Reported: 09/15/2023 14:49

Quality Control
(Continued)

Analyte	Result	Qual	Reporting Limit	Units	Spike Level	Source Result	%REC	%REC Limits	RPD	RPD Limit
Batch: BEI0300										
Blank (BEI0300-BLK1)					Prepared & Analyzed: 9/11/2023					
Electrical Conductivity	ND		0.01	mmhos/cm						
pH	6.4		1.0	units						
Temperature	25.0		0.0	°C						
Electrical Conductivity umhos	ND		10.0	umhos/cm						
Blank (BEI0300-BLK3)					Prepared & Analyzed: 9/11/2023					
Electrical Conductivity	ND		0.01	mmhos/cm						
pH	6.9		1.0	units						
Temperature	25.0		0.0	°C						
Electrical Conductivity umhos	ND		10.0	umhos/cm						
Duplicate (BEI0300-DUP2)	**Source: 23I0636-03**				Prepared & Analyzed: 9/11/2023					
Electrical Conductivity	0.25		0.01	mmhos/cm		0.25			0.162	10
pH	8.0		1.0	units		8.0			0.00	10
Electrical Conductivity umhos	247		10.0	umhos/cm		248			0.162	10
Reference (BEI0300-SRM1)					Prepared & Analyzed: 9/11/2023					
Electrical Conductivity	577			umhos/cm	538.0		107	90-110		
Reference (BEI0300-SRM2)					Prepared & Analyzed: 9/11/2023					
pH	5.8			units	5.820		100	28178-101.7		
Reference (BEI0300-SRM3)					Prepared & Analyzed: 9/11/2023					
Electrical Conductivity	1080			umhos/cm	1000		108	90-110		
Electrical Conductivity umhos	1080			umhos/cm	1000		108	90-110		
Reference (BEI0300-SRM5)					Prepared & Analyzed: 9/11/2023					
Electrical Conductivity	1080			umhos/cm	1000		108	90-110		
Electrical Conductivity umhos	1080			umhos/cm	1000		108	90-110		
Reference (BEI0300-SRM6)					Prepared & Analyzed: 9/11/2023					
pH	4.0			units	4.000		99.8	97.5-102.5		
Reference (BEI0300-SRM8)					Prepared & Analyzed: 9/11/2023					
pH	4.0			units	4.000		99.5	97.5-102.5		

The results in this report apply to the samples as received and were analyzed in accordance with the chain of custody document. This analytical report must be reproduced in its entirety. All results listed in this report are for the exclusive use of the submitting party. Dellavalle Laboratory, Inc. assumes no responsibility for report alteration, separation, detachment or third party interpretation.

DELLAVALLE™ LABORATORY INC

Michael DeHoog Dairy
1650 McNamara Road
Merced, CA 95341

Account# 00-0025467
Account Manager: Ben Nydam
Submitted By: FR Ag Services

Received: 09/08/2023 15:00
Reported: 09/15/2023 14:49

Quality Control
(Continued)

Analyte	Result	Qual	Reporting Limit	Units	Spike Level	Source Result	%REC	%REC Limits	RPD	RPD Limit
Batch: BEI0322										
Blank (BEI0322-BLK1)					Prepared: 9/12/2023	Analyzed: 9/13/2023				
Kjeldahl Nitrogen (TKN), Total	ND		1.00	mg/L						
Total Nitrogen	ND		1.00	mg/L						
Blank (BEI0322-BLK2)					Prepared: 9/12/2023	Analyzed: 9/13/2023				
Kjeldahl Nitrogen (TKN), Total	ND		1.00	mg/L						
Total Nitrogen	ND		1.00	mg/L						
LCS (BEI0322-BS1)					Prepared: 9/12/2023	Analyzed: 9/13/2023				
Kjeldahl Nitrogen (TKN), Total	6.00		1.00	mg/L	5.709		105	90-110		
LCS (BEI0322-BS2)					Prepared: 9/12/2023	Analyzed: 9/13/2023				
Kjeldahl Nitrogen (TKN), Total	6.04		1.00	mg/L	5.709		106	90-110		
Duplicate (BEI0322-DUP1)		**Source: 23I0628-01**			Prepared: 9/12/2023	Analyzed: 9/13/2023				
Kjeldahl Nitrogen (TKN), Total	8.63		3.50	mg/L		8.44			2.15	10
Duplicate (BEI0322-DUP2)		**Source: 23I0639-01**			Prepared: 9/12/2023	Analyzed: 9/13/2023				
Kjeldahl Nitrogen (TKN), Total	27.1		3.50	mg/L		26.8			1.16	10
Matrix Spike (BEI0322-MS1)		**Source: 23I0628-01**			Prepared: 9/12/2023	Analyzed: 9/13/2023				
Kjeldahl Nitrogen (TKN), Total	18.8		3.50	mg/L	9.990	8.44	103	90-110		
Matrix Spike (BEI0322-MS2)		**Source: 23I0639-01**			Prepared: 9/12/2023	Analyzed: 9/13/2023				
Kjeldahl Nitrogen (TKN), Total	43.5		3.50	mg/L	9.990	26.8	167	90-110		
Reference (BEI0322-SRM1)					Prepared: 9/12/2023	Analyzed: 9/13/2023				
Kjeldahl Nitrogen (TKN), Total	24.3			mg/L	23.80		102	90-110		

The results in this report apply to the samples as received and were analyzed in accordance with the chain of custody document. This analytical report must be reproduced in its entirety. All results listed in this report are for the exclusive use of the submitting party. Dellavalle Laboratory, Inc. assumes no responsibility for report alteration, separation, detachment or third party interpretation.

WATER WORK REQUEST

DELLAVALLE LABORATORY, INC.
1910 W. McKinley Avenue, Suite 110 • Fresno, CA 93728
www.dellavallelab.com 559 233-6129 · 800 228-9896 · Fax 559 268-8174

25467 ~~14271~~ 8

Purchase Order No

Bill To: Acct # Cons #

Results Need By

No. Samples: 3 No of Bottles: 6

Water Type: [X] Drinking Water [ ] Wastewater [ ] Ag Water [ ] Groundwater [ ] Monitoring Well

Other:

Name: Michael DeHoog Dairy
Address: 1650 Mc Namara Road
City: Merced **State:** CA **Zip:** 95341
Telephone: **Fax:**
Cell/Email: corydehoog@gmail.com; gotmilkfor6@juno.com
COPY TO:
labs@fragservices.com
ariordan@fragservice krhodes@fragservices.com
REQUESTED BY:
PROJECT:
CROP:
[X] Copy of Chain [X] QA/QC Documents
Sampled By: FR Ag Services

Analysis and Bottles Required: (*Please indicate Analysis*)

(X) DWW1: EC, NO_3-N NH4-N Field Test
(1-1 Liter Plastic, Unpreserved) White Per Sample
( ) DWW2: DWW1 Plus SO_4, CO_3, HCO_3, Cl, Ca, Mg, Na, TDS
(1-1 Liter Plastic, Unpreserved) White Per Sample
( ) DCW1: EC, NO_3-N, TKN, TN, TDS
(1-1 Liter Plastic, Unpreserved) White Per Sample
( ) DPW1: EC, NO_3-N, NH_4-N, TKN, TDS, TP, TK
(1-1 Liter Plastic, Unpreserved) White Per Sample
( ) DPW2: DPW1 Plus Ca, Mg, Na, HCO_3, CO_3, SO_4, Cl
(1-1 Liter Plastic, Unpreserved) White Per Sample
( ) Other

	Description of Samples	Date Sampled	Time Sampled	Rec'd Temp °C	Field NH_4-N
1	Dom S	9/6		1.4	
2	Dom W (Dairy)			3.9	
3	Dom E			2.1	
4					
9					
10					

09/08/23 15:00 23I0636

IR Thermometer SN: 200560723
Correction Factor: 0°C
Calibration Due: 9/26/2023
Location: Laboratory

CHAIN OF CUSTODY

Carrier	Signature	Company	Received (Date/Time)	Relinquished (Date/Time)
First	Kierstan Rhodes	FR Ag Services	9/6 1315	9/7 1245
Second		DLI	9/8 10:39	9/8 1:55
Third				
Fourth		DLI	9/8/23 15:00	

I guarantee that as the client, or on behalf of client named, I have the authority to contract the above requested services. Should it be found that I do not have such authority, I agree to be personally liable for all costs and, if there should be action against me for this breach, reasonable attorneys' fees. It is understood that payment is expected to be cash with samples unless terms have been previously arranged. Terms are net 30 days; overdue accounts will be charged a liquidated damage fee of 2% per month (annually 24%) or $5.00 per month whichever is greater.

If payment is not made when due and a legitimate dispute exists concerning the product or services of Dellavalle Laboratory, Inc., it will be submitted to mediation under the Rules and Procedures of Creative Alternative to Litigation, Inc. (*cal*). If the dispute is not resolved in mediation, then the dispute will be submitted to binding arbitration through *cal* under its Rules and Procedures. The parties will equally bear the costs of mediation/arbitration. If, however, the mediator declares that no legitimate dispute exists, then debtor will pay all mediation and arbitration costs, and in the event of arbitration, reasonable attorneys' fees of Dellavalle Laboratory.

Invoicing Information: ***Shipping***
Sampling hrs $ In
Miles $ Out
Consulting

Amt Paid	Rec By	Check #	Date

Signature

Sample received in cooler with ice (coolant)
[ ] Yes [ ] No

X:\1-CLIENT CUSTOM FIELDSHEETS\FIELDSHEETS\Dairy Fieldsheets\[Hoogendam Dairy Water .xls]Dairy Water

DocuSign Envelope ID: AE78EB0B-D8AE-4514-B7F5-8FF2CD5992DC

09/08/23 15:00 23I0636

Shipping Information: Shipped In ☐ Picked-Up ☒ Walk In ☐ DLI Sampler ☐ Other ☐ _____

☐ Samples refridgerated before pick up | ☐ Picked up samples placed in Ice chest

Container: Ice Chest ☒ Box ☐ None ☐ | **Refrigerant:** Wet Ice ☒ Blue Ice ☐ None ☐

Samples Preserved with HNO_3 or H_2SO_4 were: ☐ Received Preserved ☒ Preserved Upon Receipt at Laboratory

Type of Container(s) Received		Sample Number 1	2	3	4	5	6	7	8	9	10
Sample Containers for Internal (DLI) Use *(Containers that go into the Lab)*											
Plastics	100 mL sterile plastic $Na_2S_2O_3$ (Green)										
Plastics	250 mL unpreserved (White) Plastic										
Plastics	250 mL HNO_3 (Red) Plastic										
Plastics	* pH Value										
Plastics	250 mL H_2SO_4 (Yellow) Plastic	1	1	1							
Plastics	* pH Value	<2	<2	<2							
Plastics	500 mL unpreserved (White) Plastic										
Plastics	1 L unpreserved (White) Plastic	1	1	1							
Plastics	1 L unpreserved (BOD) (Purple) Plastic										
Special	500mL unpreserved (White) Glass										
Special	PO4-P Kit										
Special	**Other:**										
Sample Containers for Subcontracted ("Send Out") Analyses *(Containers that go in the Subcontract ("Send Out") Refrigerator)*											
Plastics	100 mL sterile plastic $Na_2S_2O_3$ (Green)										
Plastics	250 mL unpreserved (White) Plastic										
Plastics	250 mL HNO_3 (Red) Plastic										
Plastics	250 mL H_2SO_4 (Yellow) Plastic										
Plastics	500 mL HNO_3 (Red)										
Plastics	1 L unpreserved (White) Plastic										
Plastics	1 L unpreserved (BOD) (Purple) Plastic										
Plastics	1 L HNO_3 (Red)										
VOA Vials	40 mL VOA, $Na_2S_2O_3$ + MCAA (EPA531)										
VOA Vials	40 mL VOA, $Na_2S_2O_3$ (EPA547)										
VOA Vials	40mL AG VOA unpreserved (White) (Set of 3)										
VOA Vials	40 mL AG VOA, $Na_2S_2O_3$ (Green) (Set of 3)										
VOA Vials	40mL VOA, H_3PO_4 (Set of 3)										
VOA Vials	40 mL VOA, HCl (Blue) (Set of 3)										
VOA Vials	40 mL VOA, $Na_2S_2O_3$ (Green) (Set of 3)										
Glass	250 mL AG unpreserved (White)										
Glass	250 mL AG H_2SO_4 (Yellow)										
Glass	250 mL AG $Na_2S_2O_3$ (Green)										
Glass	250 mL AG $Na_2S_2O_3$ + MCAA										
Glass	500 mL glass unpreserved (White)										
Glass	500 mL AG HCl (Blue)										
Glass	1 L AG unpreserved (White)										
Glass	1 L AG H_2SO_4 (Yellow)										
Glass	1 L AG $Na_2S_2O_3$ (Green)										
Glass	1 L AG HCl (Blue)										
Special	Cr^{6+} - 50mL Plastic w/Borate/HCO_3/CO_3										
Special	Cyanide - 500 mL NaOH										
Special	Asbestos - 1L P wrapped in foil (Set of 2)										
Special	Sulfide - 1 L **AG** or **P** NaOH + ZnAc										
Special	Chlorite/Bromate - 250 mL AG with EDA										
Special	HAA5 - 250mL AG Ammonium Chlorite										
Special	DO KIT										
Special	**Other:**										
Special	**Other:**										

pH Strips
Lot: 10BDH4501 Exp: Jan 2025

DRAFT
SEND OUT