CALIFORNIA REGIONAL WATER QUALITY CONTROL BOARD

CENTRAL VALLEY REGION
11020 SUN CENTER DR #200
RANCHO CORDOVA CA 95670-6114

2023 ANNUAL REPORT

PREPARED FOR:

LUIS CORREIA DAIRY #2 (PREVIOUSLY MATOS DAIRY FARMS – FRANKLIN FACILITY)

1912 FRANKLIN RD

MERCED CA 95340

NOTES:

PREPARED BY:

CARDOSO AG SERVICES

PO BOX 906
NEWMAN CA 95360

Annual Report - General Order No. R5-2007-0035
Reporting period 01/01/2023 to 12/31/2023.

DAIRY FACILITY INFORMATION

A. NAME OF DAIRY OR BUSINESS OPERATING THE DAIRY: Luis Correia Dairy #2 (Previously Matos Dairy Farms - Franklin Facility)

Physical address of dairy:

Number and Street	City	County	Zip Code
1912 Franklin Rd	Merced	Merced	95340

Street and nearest cross street (if no address):

Date facility was originally placed in operation: 09/17/1984

Regional Water Quality Control Board Basin Plan designation: San Joaquin River Basin

County Assessor Parcel Number(s) for dairy facility:

X057-X039-X034-XXXX X215-X080-X010-XXXX

B. OPERATORS

Correia, Luis

Operator name: Correia, Luis

Telephone no.: (209) 201-1520 (Landline) (Cellular)

Mailing Address Number and Street	City	State	Zip Code
5973 Sugarplum DR	Atwater	CA	95301

This operator is responsible for paying permit fees.

Soares, Toby

Operator name: Soares, Toby

Telephone no.: (209) 564-8068 (Landline) (Cellular)

Mailing Address Number and Street	City	State	Zip Code
1912 Franklin Rd	Merced	CA	95340

C. OWNERS

Soares, Toby

Legal owner name: Soares, Toby

Telephone no.: (209) 564-8068 (Landline) (Cellular)

Mailing Address Number and Street	City	State	Zip Code
1912 Franklin Rd	Merced	CA	95340

AVAILABLE NUTRIENTS

A. HERD INFORMATION

	Milk Cows	Dry Cows	Bred Heifers (15-24 mo.)	Heifers (7-14 mo. to breeding)	Calves (4-6 mo.)	Calves (0-3 mo.)
Number open confinement	0	0	92	0	0	0
Number under roof	485	43	0	0	0	0
Maximum number	485	43	92	0	0	0
Average number	485	43	92	0	0	0
Avg live weight (lbs)	1,400	1,500	1,100	0		

Predominant milk cow breed: Holstein

Average milk production: 70 *pounds per cow per day*

B. MANURE GENERATED

Total manure excreted by the herd: 14,069.81 *tons per reporting period*

Total nitrogen from manure: 179,237.65 *lbs per reporting period*

After ammonia losses (30% loss applied): 125,466.36 *lbs per reporting period*

Total phosphorus from manure: 30,050.64 *lbs per reporting period*

Total potassium from manure: 92,881.97 *lbs per reporting period*

Total salt from manure: 238,250.10 *lbs per reporting period*

C. PROCESS WASTEWATER GENERATED

Process wastewater generated: 5,715,000 *gallons*

Total nitrogen generated: 25,291.68 *lbs*

Total phosphorus generated: 5,039.02 *lbs*

Total potassium generated: 25,155.67 *lbs*

Total salt generated: 133,209.98 *lbs*

	5,715,000	*gallons applied*
+	0	*gallons exported*
-	0	*gallons imported*
=	5,715,000	*gallons generated*

D. FRESH WATER SOURCES

Source Description	Type
Canal	Surface water
Domestic Well	Ground water

E. SUBSURFACE (TILE) DRAINAGE SOURCES

No subsurface (tile) drainage sources entered.

F. NUTRIENT IMPORTS

No dry manure nutrient imports entered.

No process wastewater nutrient imports entered.

No commercial or other nutrient imports entered.

G. NUTRIENT EXPORTS

No solid nutrient exports entered.

No liquid nutrient exports entered.

APPLICATION AREA

A. LIST OF LAND APPLICATION AREAS

Field name	Controlled acres	Cropable acres	Total harvests	Type of waste applied	Parcel number
Across the Street	40	40	1	manure	X215-X080-X007-XXXX
Dairy	50	50	2	process wastewater	X057-X039-X034-XXXX X215-X080-X010-XXXX
Gurr	60	60	1	manure	X207-X180-X003-XXXX X215-X080-X002-XXXX
Island	40	40	1	manure	X215-X080-X011-XXXX
Totals for areas that were used for application	190	190	5		
Totals for areas that were not used for application					
Land application area totals	190	190	5		

B. CROPS AND HARVESTS

Across the Street

Field name: Across the Street

10/15/2015: Almond, in shell

Crop: Almond, in shell Acres planted: 40 Plant date: 10/15/2015

Harvest date	Yield	Reporting basis	Density (lbs/cu ft)	Moisture (%)	N (mg/kg)	P (mg/kg)	K (mg/kg)	Salt (mg/kg)	TFS (%)
08/29/2023	70.00 *ton*	Dry-weight		4.0	25,800.00	3,700.00	22,200.00		9.29

	Yield (tons/acre)	Total N (lbs/acre)	Total P (lbs/acre)	Total K (lbs/acre)	Salt (lbs/acre)
Anticipated harvest content	1.50	195.00	30.00	150.00	0.00
Total actual harvest content	1.75	86.69	12.43	74.59	312.14

Dairy

Field name: Dairy

Dairy

09/23/2022: Oats, silage-soft dough

Crop: Oats, silage-soft dough Acres planted: 50 Plant date: 09/23/2022

Harvest date	Yield	Reporting basis	Density (lbs/cu ft)	Moisture (%)	N (mg/kg)	P (mg/kg)	K (mg/kg)	Salt (mg/kg)	TFS (%)
05/31/2023	600.00 *ton*	Dry-weight		53.4	20,600.00	3,900.00	33,200.00		12.50

	Yield (tons/acre)	Total N (lbs/acre)	Total P (lbs/acre)	Total K (lbs/acre)	Salt (lbs/acre)
Anticipated harvest content	16.00	160.00	25.60	132.80	0.00
Total actual harvest content	12.00	230.39	43.62	371.31	1,398.00

06/12/2023: Sudangrass, hay

Crop: Sudangrass, hay Acres planted: 50 Plant date: 06/12/2023

Harvest date	Yield	Reporting basis	Density (lbs/cu ft)	Moisture (%)	N (mg/kg)	P (mg/kg)	K (mg/kg)	Salt (mg/kg)	TFS (%)
09/01/2023	325.00 *ton*	Dry-weight		6.7	16,000.00	2,600.00	44,200.00		13.70

	Yield (tons/acre)	Total N (lbs/acre)	Total P (lbs/acre)	Total K (lbs/acre)	Salt (lbs/acre)
Anticipated harvest content	8.00	256.00	35.20	264.00	0.00
Total actual harvest content	6.50	194.06	31.54	536.10	1,661.67

Gurr

Field name: Gurr

01/10/2020: Almond, in shell

Crop: Almond, in shell Acres planted: 60 Plant date: 01/10/2020

Harvest date	Yield	Reporting basis	Density (lbs/cu ft)	Moisture (%)	N (mg/kg)	P (mg/kg)	K (mg/kg)	Salt (mg/kg)	TFS (%)
08/29/2023	90.00 *ton*	Dry-weight		3.7	28,400.00	2,600.00	14,200.00		5.39

	Yield (tons/acre)	Total N (lbs/acre)	Total P (lbs/acre)	Total K (lbs/acre)	Salt (lbs/acre)
Anticipated harvest content	1.50	195.00	30.00	150.00	0.00
Total actual harvest content	1.50	82.05	7.51	41.02	155.72

Island

Field name: Island

10/15/2015: Almond, in shell

Crop: Almond, in shell Acres planted: 40 Plant date: 10/15/2015

Harvest date	Yield	Reporting basis	Density (lbs/cu ft)	Moisture (%)	N (mg/kg)	P (mg/kg)	K (mg/kg)	Salt (mg/kg)	TFS (%)
08/29/2023	70.00 *ton*	Dry-weight		4.0	25,800.00	3,700.00	22,200.00		9.29

	Yield (tons/acre)	Total N (lbs/acre)	Total P (lbs/acre)	Total K (lbs/acre)	Salt (lbs/acre)
Anticipated harvest content	1.50	195.00	30.00	150.00	0.00
Total actual harvest content	1.75	86.69	12.43	74.59	312.14

NUTRIENT BUDGET

A. LAND APPLICATIONS

Across the Street - 10/15/2015: Almond, in shell

Field name: Across the Street

Crop: Almond, in shell

Plant date: 10/15/2015

Application date	Application method	Precipitation 24 hours prior	Precipitation during application	Precipitation 24 hours following
04/09/2023	Surface (irrigation)	No precipitation	No precipitation	No precipitation

Source description	Material type	N (lbs/acre)	P (lbs/acre)	K (lbs/acre)	Salt (lbs/acre)	Amount
Canal	Surface water	0.95	0.00	0.00	26.58	4,550,216.00 *gal*
Application event totals		0.95	0.00	0.00	26.58	

Application date	Application method	Precipitation 24 hours prior	Precipitation during application	Precipitation 24 hours following
04/23/2023	Surface (irrigation)	No precipitation	No precipitation	No precipitation

Source description	Material type	N (lbs/acre)	P (lbs/acre)	K (lbs/acre)	Salt (lbs/acre)	Amount
Canal	Surface water	1.10	0.00	0.00	30.82	5,275,343.00 *gal*
Application event totals		1.10	0.00	0.00	30.82	

Application date	Application method	Precipitation 24 hours prior	Precipitation during application	Precipitation 24 hours following
05/01/2023	Surface (irrigation)	No precipitation	No precipitation	No precipitation

Source description	Material type	N (lbs/acre)	P (lbs/acre)	K (lbs/acre)	Salt (lbs/acre)	Amount
Canal	Surface water	1.02	0.00	0.00	28.62	4,899,907.00 *gal*
Application event totals		1.02	0.00	0.00	28.62	

Application date	Application method	Precipitation 24 hours prior	Precipitation during application	Precipitation 24 hours following
05/14/2023	Surface (irrigation)	No precipitation	No precipitation	No precipitation

Source description	Material type	N (lbs/acre)	P (lbs/acre)	K (lbs/acre)	Salt (lbs/acre)	Amount
Canal	Surface water	0.98	0.00	0.00	27.34	4,680,902.00 *gal*
Application event totals		0.98	0.00	0.00	27.34	

Application date	Application method	Precipitation 24 hours prior	Precipitation during application	Precipitation 24 hours following
06/01/2023	Surface (irrigation)	No precipitation	No precipitation	No precipitation

Source description	Material type	N (lbs/acre)	P (lbs/acre)	K (lbs/acre)	Salt (lbs/acre)	Amount
Canal	Surface water	1.35	0.00	0.00	37.86	6,481,825.00 *gal*
Application event totals		1.35	0.00	0.00	37.86	

Across the Street - 10/15/2015: Almond, in shell

Application date	Application method	Precipitation 24 hours prior	Precipitation during application	Precipitation 24 hours following
06/19/2023	Surface (irrigation)	No precipitation	No precipitation	No precipitation

Source description	Material type	N (lbs/acre)	P (lbs/acre)	K (lbs/acre)	Salt (lbs/acre)	Amount
Canal	Surface water	1.16	0.00	0.00	32.45	5,555,291.00 *gal*
Application event totals		1.16	0.00	0.00	32.45	

Application date	Application method	Precipitation 24 hours prior	Precipitation during application	Precipitation 24 hours following
07/09/2023	Surface (irrigation)	No precipitation	No precipitation	No precipitation

Source description	Material type	N (lbs/acre)	P (lbs/acre)	K (lbs/acre)	Salt (lbs/acre)	Amount
Canal	Surface water	1.28	0.00	0.00	35.78	6,124,965.00 *gal*
Application event totals		1.28	0.00	0.00	35.78	

Application date	Application method	Precipitation 24 hours prior	Precipitation during application	Precipitation 24 hours following
07/26/2023	Surface (irrigation)	No precipitation	No precipitation	No precipitation

Source description	Material type	N (lbs/acre)	P (lbs/acre)	K (lbs/acre)	Salt (lbs/acre)	Amount
Canal	Surface water	1.09	0.00	0.00	30.48	5,217,659.00 *gal*
Application event totals		1.09	0.00	0.00	30.48	

Application date	Application method	Precipitation 24 hours prior	Precipitation during application	Precipitation 24 hours following
08/14/2023	Surface (irrigation)	No precipitation	No precipitation	No precipitation

Source description	Material type	N (lbs/acre)	P (lbs/acre)	K (lbs/acre)	Salt (lbs/acre)	Amount
Canal	Surface water	1.22	0.00	0.00	34.13	5,842,735.00 *gal*
Application event totals		1.22	0.00	0.00	34.13	

Application date	Application method	Precipitation 24 hours prior	Precipitation during application	Precipitation 24 hours following
08/27/2023	Surface (irrigation)	No precipitation	No precipitation	No precipitation

Source description	Material type	N (lbs/acre)	P (lbs/acre)	K (lbs/acre)	Salt (lbs/acre)	Amount
Canal	Surface water	1.00	0.00	0.00	28.01	4,795,619.00 *gal*
Application event totals		1.00	0.00	0.00	28.01	

Application date	Application method	Precipitation 24 hours prior	Precipitation during application	Precipitation 24 hours following
09/10/2023	Surface (irrigation)	No precipitation	No precipitation	No precipitation

Source description	Material type	N (lbs/acre)	P (lbs/acre)	K (lbs/acre)	Salt (lbs/acre)	Amount
Canal	Surface water	1.24	0.00	0.00	34.78	5,954,193.00 *gal*
Application event totals		1.24	0.00	0.00	34.78	

Across the Street - 10/15/2015: Almond, in shell

Application date	Application method	Precipitation 24 hours prior	Precipitation during application	Precipitation 24 hours following
10/02/2023	Surface (irrigation)	No precipitation	No precipitation	No precipitation

Source description	Material type	N (lbs/acre)	P (lbs/acre)	K (lbs/acre)	Salt (lbs/acre)	Amount
Canal	Surface water	0.98	0.00	0.00	27.30	4,673,732.00 *gal*
Application event totals		0.98	0.00	0.00	27.30	

10/01/2023	Broadcast/incorporate	No precipitation	No precipitation	No precipitation

Source description	Material type	N (lbs/acre)	P (lbs/acre)	K (lbs/acre)	Salt (lbs/acre)	Amount
Solid Manure	Corral solids	93.80	9.11	15.00	0.00	121.00 *ton*
Application event totals		93.80	9.11	15.00	0.00	

Dairy - 09/23/2022: Oats, silage-soft dough

Field name: Dairy

Crop: Oats, silage-soft dough

Plant date: 09/23/2022

Application date	Application method	Precipitation 24 hours prior	Precipitation during application	Precipitation 24 hours following
10/22/2022	Surface (irrigation)	No precipitation	No precipitation	No precipitation

Source description	Material type	N (lbs/acre)	P (lbs/acre)	K (lbs/acre)	Salt (lbs/acre)	Amount
Lagoon Water	Process wastewater	62.71	10.59	66.24	470.16	900,000.00 *gal*
Canal	Surface water	0.80	0.00	0.00	22.38	4,788,775.00 *gal*
Application event totals		63.51	10.59	66.24	492.54	

03/15/2023	Surface (irrigation)	No precipitation	No precipitation	No precipitation

Source description	Material type	N (lbs/acre)	P (lbs/acre)	K (lbs/acre)	Salt (lbs/acre)	Amount
Lagoon Water	Process wastewater	95.11	19.71	93.09	499.90	960,000.00 *gal*
Canal	Surface water	0.92	0.00	0.00	25.79	5,518,139.00 *gal*
Application event totals		96.03	19.71	93.09	525.69	

Dairy - 09/23/2022: Oats, silage-soft dough

Application date	Application method	Precipitation 24 hours prior	Precipitation during application	Precipitation 24 hours following
04/08/2023	Surface (irrigation)	No precipitation	No precipitation	No precipitation

Source description	Material type	N (lbs/acre)	P (lbs/acre)	K (lbs/acre)	Salt (lbs/acre)	Amount
Lagoon Water	Process wastewater	95.11	19.71	93.09	499.90	960,000.00 *gal*
Canal	Surface water	0.71	0.00	0.00	19.78	4,231,812.00 *gal*
Application event totals		95.82	19.71	93.09	519.67	

Dairy - 06/12/2023: Sudangrass, hay

Field name: Dairy

Crop: Sudangrass, hay

Plant date: 06/12/2023

Application date	Application method	Precipitation 24 hours prior	Precipitation during application	Precipitation 24 hours following
06/01/2023	Surface (irrigation)	No precipitation	No precipitation	No precipitation

Source description	Material type	N (lbs/acre)	P (lbs/acre)	K (lbs/acre)	Salt (lbs/acre)	Amount
Canal	Surface water	1.62	0.00	0.00	45.32	9,697,155.00 *gal*
Application event totals		1.62	0.00	0.00	45.32	

06/29/2023	Surface (irrigation)	No precipitation	No precipitation	No precipitation

Source description	Material type	N (lbs/acre)	P (lbs/acre)	K (lbs/acre)	Salt (lbs/acre)	Amount
Lagoon Water	Process wastewater	95.11	19.71	93.09	499.90	960,000.00 *gal*
Canal	Surface water	1.94	0.00	0.00	54.38	11,636,585.00 *gal*
Application event totals		97.05	19.71	93.09	554.28	

07/13/2023	Surface (irrigation)	No precipitation	No precipitation	No precipitation

Source description	Material type	N (lbs/acre)	P (lbs/acre)	K (lbs/acre)	Salt (lbs/acre)	Amount
Lagoon Water	Process wastewater	79.51	15.65	79.41	349.86	975,000.00 *gal*
Canal	Surface water	1.93	0.00	0.00	54.04	11,563,747.00 *gal*
Application event totals		81.44	15.65	79.41	403.90	

Dairy - 06/12/2023: Sudangrass, hay

Application date	Application method	Precipitation 24 hours prior	Precipitation during application	Precipitation 24 hours following
07/28/2023	Surface (irrigation)	No precipitation	No precipitation	No precipitation

Source description	Material type	N (lbs/acre)	P (lbs/acre)	K (lbs/acre)	Salt (lbs/acre)	Amount
Lagoon Water	Process wastewater	78.29	15.41	78.19	344.48	960,000.00 *gal*
Canal	Surface water	2.30	0.00	0.00	64.28	13,754,284.00 *gal*
Application event totals		80.58	15.41	78.19	408.76	

Application date	Application method	Precipitation 24 hours prior	Precipitation during application	Precipitation 24 hours following
08/12/2023	Surface (irrigation)	No precipitation	No precipitation	No precipitation

Source description	Material type	N (lbs/acre)	P (lbs/acre)	K (lbs/acre)	Salt (lbs/acre)	Amount
Canal	Surface water	2.45	0.00	0.00	68.50	14,657,678.00 *gal*
Application event totals		2.45	0.00	0.00	68.50	

Application date	Application method	Precipitation 24 hours prior	Precipitation during application	Precipitation 24 hours following
08/27/2023	Surface (irrigation)	No precipitation	No precipitation	No precipitation

Source description	Material type	N (lbs/acre)	P (lbs/acre)	K (lbs/acre)	Salt (lbs/acre)	Amount
Canal	Surface water	1.37	0.00	0.00	38.33	8,201,274.00 *gal*
Application event totals		1.37	0.00	0.00	38.33	

Gurr - 01/10/2020: Almond, in shell

Field name: Gurr

Crop: Almond, in shell

Plant date: 01/10/2020

Application date	Application method	Precipitation 24 hours prior	Precipitation during application	Precipitation 24 hours following
04/09/2023	Surface (irrigation)	No precipitation	No precipitation	No precipitation

Source description	Material type	N (lbs/acre)	P (lbs/acre)	K (lbs/acre)	Salt (lbs/acre)	Amount
Canal	Surface water	1.18	0.00	0.00	32.95	8,461,016.00 *gal*
Application event totals		1.18	0.00	0.00	32.95	

Application date	Application method	Precipitation 24 hours prior	Precipitation during application	Precipitation 24 hours following
04/23/2023	Surface (irrigation)	No precipitation	No precipitation	No precipitation

Source description	Material type	N (lbs/acre)	P (lbs/acre)	K (lbs/acre)	Salt (lbs/acre)	Amount
Canal	Surface water	1.19	0.00	0.00	33.24	8,534,343.00 *gal*
Application event totals		1.19	0.00	0.00	33.24	

Gurr - 01/10/2020: Almond, in shell

Application date	Application method	Precipitation 24 hours prior	Precipitation during application	Precipitation 24 hours following
05/01/2023	Surface (irrigation)	No precipitation	No precipitation	No precipitation

Source description	Material type	N (lbs/acre)	P (lbs/acre)	K (lbs/acre)	Salt (lbs/acre)	Amount
Canal	Surface water	1.13	0.00	0.00	31.77	8,158,907.00 *gal*
Application event totals		1.13	0.00	0.00	31.77	

Application date	Application method	Precipitation 24 hours prior	Precipitation during application	Precipitation 24 hours following
05/14/2023	Surface (irrigation)	No precipitation	No precipitation	No precipitation

Source description	Material type	N (lbs/acre)	P (lbs/acre)	K (lbs/acre)	Salt (lbs/acre)	Amount
Canal	Surface water	1.10	0.00	0.00	30.92	7,939,902.00 *gal*
Application event totals		1.10	0.00	0.00	30.92	

Application date	Application method	Precipitation 24 hours prior	Precipitation during application	Precipitation 24 hours following
06/01/2023	Surface (irrigation)	No precipitation	No precipitation	No precipitation

Source description	Material type	N (lbs/acre)	P (lbs/acre)	K (lbs/acre)	Salt (lbs/acre)	Amount
Canal	Surface water	0.99	0.00	0.00	27.78	7,133,625.00 *gal*
Application event totals		0.99	0.00	0.00	27.78	

Application date	Application method	Precipitation 24 hours prior	Precipitation during application	Precipitation 24 hours following
06/19/2023	Surface (irrigation)	No precipitation	No precipitation	No precipitation

Source description	Material type	N (lbs/acre)	P (lbs/acre)	K (lbs/acre)	Salt (lbs/acre)	Amount
Canal	Surface water	1.09	0.00	0.00	30.52	7,836,591.00 *gal*
Application event totals		1.09	0.00	0.00	30.52	

Application date	Application method	Precipitation 24 hours prior	Precipitation during application	Precipitation 24 hours following
07/09/2023	Surface (irrigation)	No precipitation	No precipitation	No precipitation

Source description	Material type	N (lbs/acre)	P (lbs/acre)	K (lbs/acre)	Salt (lbs/acre)	Amount
Canal	Surface water	0.99	0.00	0.00	27.66	7,102,665.00 *gal*
Application event totals		0.99	0.00	0.00	27.66	

Application date	Application method	Precipitation 24 hours prior	Precipitation during application	Precipitation 24 hours following
07/26/2023	Surface (irrigation)	No precipitation	No precipitation	No precipitation

Source description	Material type	N (lbs/acre)	P (lbs/acre)	K (lbs/acre)	Salt (lbs/acre)	Amount
Canal	Surface water	1.00	0.00	0.00	27.93	7,173,059.00 *gal*
Application event totals		1.00	0.00	0.00	27.93	

Gurr - 01/10/2020: Almond, in shell

Application date	Application method	Precipitation 24 hours prior	Precipitation during application	Precipitation 24 hours following
08/14/2023	Surface (irrigation)	No precipitation	No precipitation	No precipitation

Source description	Material type	N (lbs/acre)	P (lbs/acre)	K (lbs/acre)	Salt (lbs/acre)	Amount
Canal	Surface water	1.18	0.00	0.00	32.91	8,449,935.00 *gal*
Application event totals		1.18	0.00	0.00	32.91	

Application date	Application method	Precipitation 24 hours prior	Precipitation during application	Precipitation 24 hours following
08/27/2023	Surface (irrigation)	No precipitation	No precipitation	No precipitation

Source description	Material type	N (lbs/acre)	P (lbs/acre)	K (lbs/acre)	Salt (lbs/acre)	Amount
Canal	Surface water	1.12	0.00	0.00	31.37	8,054,619.00 *gal*
Application event totals		1.12	0.00	0.00	31.37	

Application date	Application method	Precipitation 24 hours prior	Precipitation during application	Precipitation 24 hours following
09/10/2023	Surface (irrigation)	No precipitation	No precipitation	No precipitation

Source description	Material type	N (lbs/acre)	P (lbs/acre)	K (lbs/acre)	Salt (lbs/acre)	Amount
Canal	Surface water	1.24	0.00	0.00	34.61	8,887,293.00 *gal*
Application event totals		1.24	0.00	0.00	34.61	

Application date	Application method	Precipitation 24 hours prior	Precipitation during application	Precipitation 24 hours following
10/02/2023	Surface (irrigation)	No precipitation	No precipitation	No precipitation

Source description	Material type	N (lbs/acre)	P (lbs/acre)	K (lbs/acre)	Salt (lbs/acre)	Amount
Canal	Surface water	1.10	0.00	0.00	30.89	7,932,732.00 *gal*
Application event totals		1.10	0.00	0.00	30.89	

Application date	Application method	Precipitation 24 hours prior	Precipitation during application	Precipitation 24 hours following
10/01/2023	Broadcast/incorporate	No precipitation	No precipitation	No precipitation

Source description	Material type	N (lbs/acre)	P (lbs/acre)	K (lbs/acre)	Salt (lbs/acre)	Amount
Solid Manure	Corral solids	87.34	8.49	13.96	0.00	169.00 *ton*
Application event totals		87.34	8.49	13.96	0.00	

Island - 10/15/2015: Almond, in shell

Field name: Island

Crop: Almond, in shell

Plant date: 10/15/2015

Application date	Application method	Precipitation 24 hours prior	Precipitation during application	Precipitation 24 hours following

Island - 10/15/2015: Almond, in shell

Application date	Application method	Precipitation 24 hours prior	Precipitation during application	Precipitation 24 hours following
04/09/2023	Surface (irrigation)	No precipitation	No precipitation	No precipitation

Source description	Material type	N (lbs/acre)	P (lbs/acre)	K (lbs/acre)	Salt (lbs/acre)	Amount
Canal	Surface water	0.95	0.00	0.00	26.58	4,550,216.00 *gal*
Application event totals		0.95	0.00	0.00	26.58	

Application date	Application method	Precipitation 24 hours prior	Precipitation during application	Precipitation 24 hours following
04/23/2023	Surface (irrigation)	No precipitation	No precipitation	No precipitation

Source description	Material type	N (lbs/acre)	P (lbs/acre)	K (lbs/acre)	Salt (lbs/acre)	Amount
Canal	Surface water	1.10	0.00	0.00	30.82	5,275,343.00 *gal*
Application event totals		1.10	0.00	0.00	30.82	

Application date	Application method	Precipitation 24 hours prior	Precipitation during application	Precipitation 24 hours following
05/01/2023	Surface (irrigation)	No precipitation	No precipitation	No precipitation

Source description	Material type	N (lbs/acre)	P (lbs/acre)	K (lbs/acre)	Salt (lbs/acre)	Amount
Canal	Surface water	1.02	0.00	0.00	28.62	4,899,907.00 *gal*
Application event totals		1.02	0.00	0.00	28.62	

Application date	Application method	Precipitation 24 hours prior	Precipitation during application	Precipitation 24 hours following
05/14/2023	Surface (irrigation)	No precipitation	No precipitation	No precipitation

Source description	Material type	N (lbs/acre)	P (lbs/acre)	K (lbs/acre)	Salt (lbs/acre)	Amount
Canal	Surface water	0.98	0.00	0.00	27.34	4,680,902.00 *gal*
Application event totals		0.98	0.00	0.00	27.34	

Application date	Application method	Precipitation 24 hours prior	Precipitation during application	Precipitation 24 hours following
06/01/2023	Surface (irrigation)	No precipitation	No precipitation	No precipitation

Source description	Material type	N (lbs/acre)	P (lbs/acre)	K (lbs/acre)	Salt (lbs/acre)	Amount
Canal	Surface water	1.35	0.00	0.00	37.86	6,481,825.00 *gal*
Application event totals		1.35	0.00	0.00	37.86	

Application date	Application method	Precipitation 24 hours prior	Precipitation during application	Precipitation 24 hours following
06/19/2023	Surface (irrigation)	No precipitation	No precipitation	No precipitation

Source description	Material type	N (lbs/acre)	P (lbs/acre)	K (lbs/acre)	Salt (lbs/acre)	Amount
Canal	Surface water	1.16	0.00	0.00	32.45	5,555,291.00 *gal*
Application event totals		1.16	0.00	0.00	32.45	

Island - 10/15/2015: Almond, in shell

Application date	Application method	Precipitation 24 hours prior	Precipitation during application	Precipitation 24 hours following
07/09/2023	Surface (irrigation)	No precipitation	No precipitation	No precipitation

Source description	Material type	N (lbs/acre)	P (lbs/acre)	K (lbs/acre)	Salt (lbs/acre)	Amount
Canal	Surface water	1.28	0.00	0.00	35.78	6,124,965.00 *gal*
Application event totals		1.28	0.00	0.00	35.78	

Application date	Application method	Precipitation 24 hours prior	Precipitation during application	Precipitation 24 hours following
07/26/2023	Surface (irrigation)	No precipitation	No precipitation	No precipitation

Source description	Material type	N (lbs/acre)	P (lbs/acre)	K (lbs/acre)	Salt (lbs/acre)	Amount
Canal	Surface water	1.09	0.00	0.00	30.48	5,217,659.00 *gal*
Application event totals		1.09	0.00	0.00	30.48	

Application date	Application method	Precipitation 24 hours prior	Precipitation during application	Precipitation 24 hours following
08/14/2023	Surface (irrigation)	No precipitation	No precipitation	No precipitation

Source description	Material type	N (lbs/acre)	P (lbs/acre)	K (lbs/acre)	Salt (lbs/acre)	Amount
Canal	Surface water	1.22	0.00	0.00	34.13	5,842,735.00 *gal*
Application event totals		1.22	0.00	0.00	34.13	

Application date	Application method	Precipitation 24 hours prior	Precipitation during application	Precipitation 24 hours following
08/27/2023	Surface (irrigation)	No precipitation	No precipitation	No precipitation

Source description	Material type	N (lbs/acre)	P (lbs/acre)	K (lbs/acre)	Salt (lbs/acre)	Amount
Canal	Surface water	1.00	0.00	0.00	28.01	4,795,619.00 *gal*
Application event totals		1.00	0.00	0.00	28.01	

Application date	Application method	Precipitation 24 hours prior	Precipitation during application	Precipitation 24 hours following
09/10/2023	Surface (irrigation)	No precipitation	No precipitation	No precipitation

Source description	Material type	N (lbs/acre)	P (lbs/acre)	K (lbs/acre)	Salt (lbs/acre)	Amount
Canal	Surface water	1.24	0.00	0.00	34.78	5,954,193.00 *gal*
Application event totals		1.24	0.00	0.00	34.78	

Application date	Application method	Precipitation 24 hours prior	Precipitation during application	Precipitation 24 hours following
10/02/2023	Surface (irrigation)	No precipitation	No precipitation	No precipitation

Source description	Material type	N (lbs/acre)	P (lbs/acre)	K (lbs/acre)	Salt (lbs/acre)	Amount
Canal	Surface water	0.98	0.00	0.00	27.30	4,673,732.00 *gal*
Application event totals		0.98	0.00	0.00	27.30	

Island - 10/15/2015: Almond, in shell

Application date	Application method	Precipitation 24 hours prior	Precipitation during application	Precipitation 24 hours following
10/01/2023	Broadcast/incorporate	No precipitation	No precipitation	No precipitation

Source description	Material type	N (lbs/acre)	P (lbs/acre)	K (lbs/acre)	Salt (lbs/acre)	Amount
Solid Manure	Corral solids	93.80	9.11	15.00	0.00	121.00 *ton*
Application event totals		93.80	9.11	15.00	0.00	

B. NUTRIENT BUDGET

Across the Street - 10/15/2015: Almond, in shell

Field name: Across the Street | Crop: Almond, in shell | Plant date: 10/15/2015

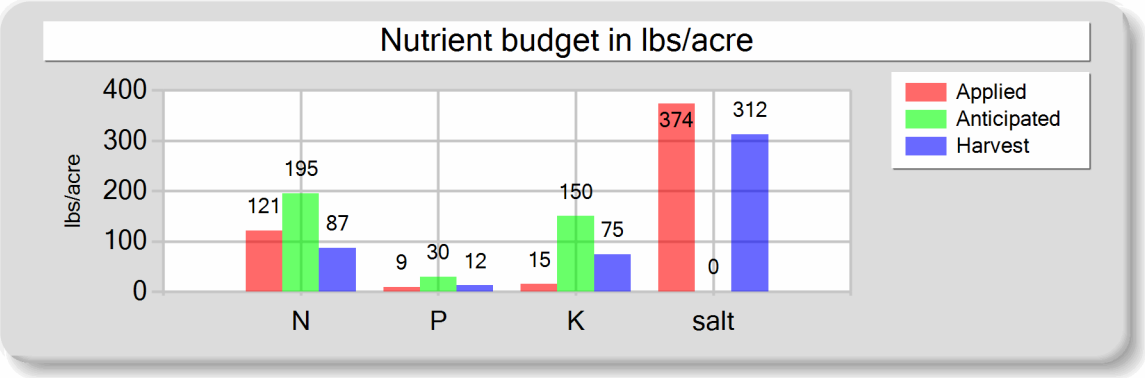

	Total N (lbs/acre)	Total P (lbs/acre)	Total K (lbs/acre)	Total salt (lbs/acre)
Existing soil nutrient content	0.00	0.00	0.00	0.00
Plowdown credit	0.00	0.00	0.00	0.00
Commercial fertilizer / Other	0.00	0.00	0.00	0.00
Dry manure	93.80	9.11	15.00	0.00
Process wastewater	0.00	0.00	0.00	0.00
Fresh water	13.36	0.00	0.00	374.16
Atmospheric deposition	14.00	0.00	0.00	0.00
Total nutrients applied	121.16	9.11	15.00	374.16
Anticipated crop nutrient removal	195.00	30.00	150.00	0.00
Actual crop nutrient removal	86.69	12.43	74.59	312.14
Nutrient balance	34.47	-3.32	-59.60	62.02
Applied to removed ratio	1.40	0.73	0.20	1.20

Fresh water applied	
64,052,387.00	*gallons*
2,358.83	*acre-inches*
58.97	*inches/acre*

Process wastewater applied	
0.00	*gallons*
0.00	*acre-inches*
0.00	*inches/acre*

Total harvests for the crop	
1	*harvests*

Dairy - 09/23/2022: Oats, silage-soft dough

Field name: Dairy | Crop: Oats, silage-soft dough | Plant date: 09/23/2022

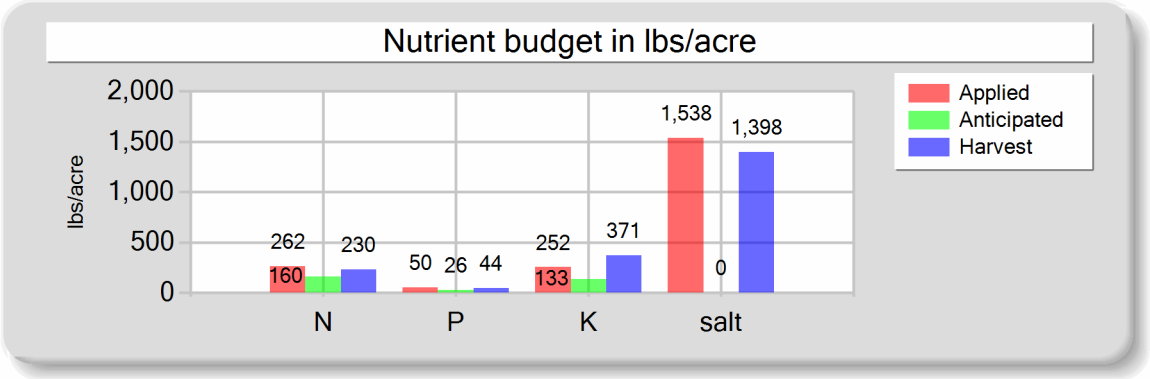

	Total N (lbs/acre)	Total P (lbs/acre)	Total K (lbs/acre)	Total salt (lbs/acre)
Existing soil nutrient content	0.00	0.00	0.00	0.00
Plowdown credit	0.00	0.00	0.00	0.00
Commercial fertilizer / Other	0.00	0.00	0.00	0.00
Dry manure	0.00	0.00	0.00	0.00
Process wastewater	252.93	50.00	252.42	1,469.96
Fresh water	2.43	0.00	0.00	67.94
Atmospheric deposition	7.00	0.00	0.00	0.00
Total nutrients applied	262.36	50.00	252.42	1,537.90
Anticipated crop nutrient removal	160.00	25.60	132.80	0.00
Actual crop nutrient removal	230.39	43.62	371.31	1,398.00
Nutrient balance	31.97	6.39	-118.89	139.90
Applied to removed ratio	1.14	1.15	0.68	1.10

Fresh water applied	
14,538,726.00	*gallons*
535.41	*acre-inches*
10.71	*inches/acre*

Process wastewater applied	
2,820,000.00	*gallons*
103.85	*acre-inches*
2.08	*inches/acre*

Total harvests for the crop	
1	*harvests*

Dairy - 06/12/2023: Sudangrass, hay

Field name: Dairy | Crop: Sudangrass, hay | Plant date: 06/12/2023

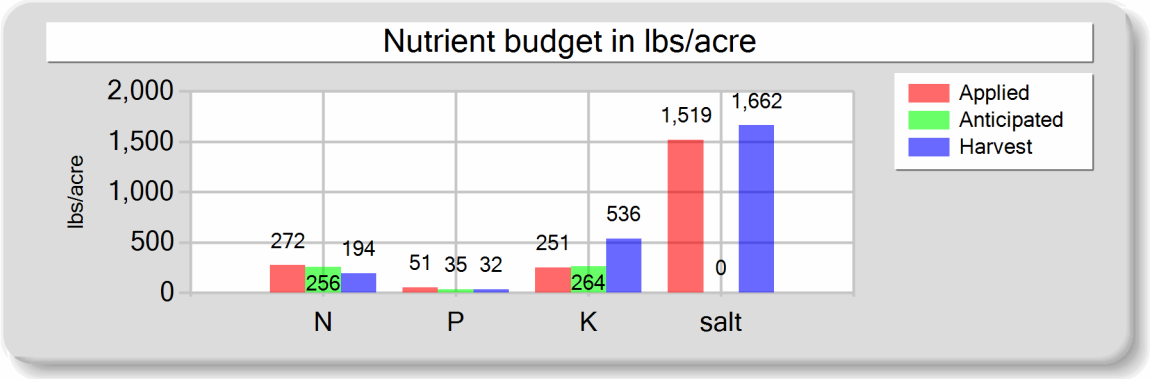

	Total N (lbs/acre)	Total P (lbs/acre)	Total K (lbs/acre)	Total salt (lbs/acre)
Existing soil nutrient content	0.00	0.00	0.00	0.00
Plowdown credit	0.00	0.00	0.00	0.00
Commercial fertilizer / Other	0.00	0.00	0.00	0.00
Dry manure	0.00	0.00	0.00	0.00
Process wastewater	252.90	50.78	250.69	1,194.24
Fresh water	11.60	0.00	0.00	324.84
Atmospheric deposition	7.00	0.00	0.00	0.00
Total nutrients applied	271.50	50.78	250.69	1,519.08
Anticipated crop nutrient removal	256.00	35.20	264.00	0.00
Actual crop nutrient removal	194.06	31.54	536.10	1,661.67
Nutrient balance	77.44	19.24	-285.41	-142.59
Applied to removed ratio	1.40	1.61	0.47	0.91

Fresh water applied	
69,510,723.00	*gallons*
2,559.84	*acre-inches*
51.20	*inches/acre*

Process wastewater applied	
2,895,000.00	*gallons*
106.61	*acre-inches*
2.13	*inches/acre*

Total harvests for the crop	
1	*harvests*

Gurr - 01/10/2020: Almond, in shell

Field name: Gurr | Crop: Almond, in shell | Plant date: 01/10/2020

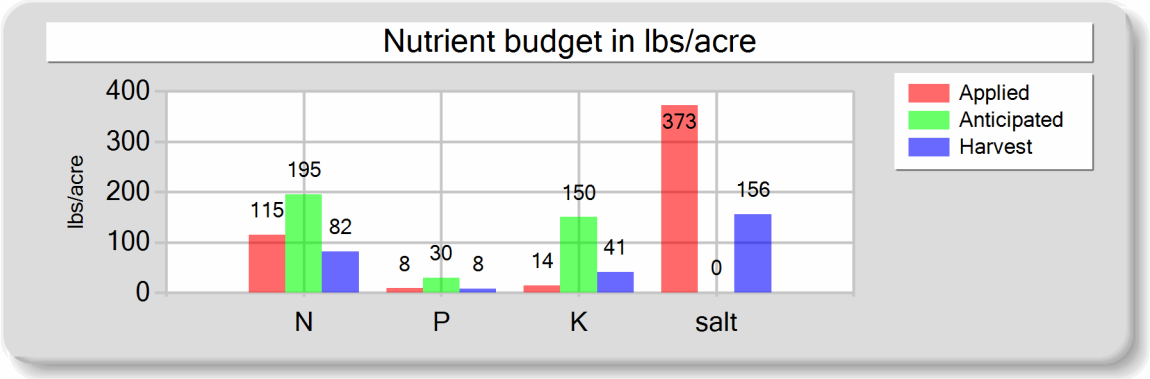

	Total N (lbs/acre)	Total P (lbs/acre)	Total K (lbs/acre)	Total salt (lbs/acre)
Existing soil nutrient content	0.00	0.00	0.00	0.00
Plowdown credit	0.00	0.00	0.00	0.00
Commercial fertilizer / Other	0.00	0.00	0.00	0.00
Dry manure	87.34	8.49	13.96	0.00
Process wastewater	0.00	0.00	0.00	0.00
Fresh water	13.31	0.00	0.00	372.55
Atmospheric deposition	14.00	0.00	0.00	0.00
Total nutrients applied	114.64	8.49	13.96	372.55
Anticipated crop nutrient removal	195.00	30.00	150.00	0.00
Actual crop nutrient removal	82.05	7.51	41.02	155.72
Nutrient balance	32.59	0.98	-27.06	216.83
Applied to removed ratio	1.40	1.13	0.34	2.39

Fresh water applied	
95,664,687.00	*gallons*
3,523.01	*acre-inches*
58.72	*inches/acre*

Process wastewater applied	
0.00	*gallons*
0.00	*acre-inches*
0.00	*inches/acre*

Total harvests for the crop	
1	*harvests*

Island - 10/15/2015: Almond, in shell

Field name: Island | Crop: Almond, in shell | Plant date: 10/15/2015

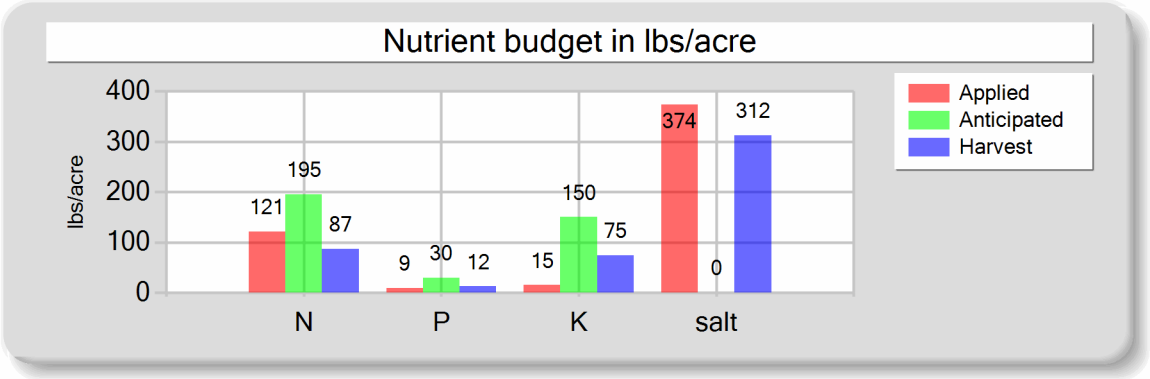

	Total N (lbs/acre)	Total P (lbs/acre)	Total K (lbs/acre)	Total salt (lbs/acre)
Existing soil nutrient content	0.00	0.00	0.00	0.00
Plowdown credit	0.00	0.00	0.00	0.00
Commercial fertilizer / Other	0.00	0.00	0.00	0.00
Dry manure	93.80	9.11	15.00	0.00
Process wastewater	0.00	0.00	0.00	0.00
Fresh water	13.36	0.00	0.00	374.16
Atmospheric deposition	14.00	0.00	0.00	0.00
Total nutrients applied	121.16	9.11	15.00	374.16
Anticipated crop nutrient removal	195.00	30.00	150.00	0.00
Actual crop nutrient removal	86.69	12.43	74.59	312.14
Nutrient balance	34.47	-3.32	-59.60	62.02
Applied to removed ratio	1.40	0.73	0.20	1.20

Fresh water applied	
64,052,387.00	*gallons*
2,358.83	*acre-inches*
58.97	*inches/acre*

Process wastewater applied	
0.00	*gallons*
0.00	*acre-inches*
0.00	*inches/acre*

Total harvests for the crop	
1	*harvests*

NUTRIENT ANALYSES

A. MANURE ANALYSES

Manure

Sample and source description: Manure

Sample date: 10/26/2022 Material type: Corral solids Source of analysis: Lab analysis Method of reporting: Dry-weight

Moisture: 51.4 %

	Total N (mg/kg)	Total P (mg/kg)	Total K (mg/kg)	Calcium (mg/kg)	Magnesium (mg/kg)	Sodium (mg/kg)	Sulfur (mg/kg)	Chloride (mg/kg)	Total salt (mg/kg)	TFS (%)
Value	31,900.00	3,100.00	5,100.00							
DL	100.00	100.00	100.00							

SSB Manure

Sample and source description: SSB Manure

Sample date: 12/12/2023 Material type: Scraped material Source of analysis: Lab analysis Method of reporting: Dry-weight

Moisture: 61.1 %

	Total N (mg/kg)	Total P (mg/kg)	Total K (mg/kg)	Calcium (mg/kg)	Magnesium (mg/kg)	Sodium (mg/kg)	Sulfur (mg/kg)	Chloride (mg/kg)	Total salt (mg/kg)	TFS (%)
Value	32,800.00	15,800.00	4,700.00							0.00
DL	100.00	100.00	100.00							1.00

B. PROCESS WASTEWATER ANALYSES

Lagoon Q4 - 2022

Sample and source description: Lagoon Q4 - 2022

Sample date: 12/06/2022 Material type: Process wastewater Source of analysis: Lab analysis pH: 7.40

	Kjeldahl-N (mg/L)	NH4-N (mg/L)	NH3-N (mg/L)	Nitrate-N (mg/L)	Total P (mg/L)	Total K (mg/L)	Calcium (mg/L)	Magnes. (mg/L)	Sodium (mg/L)	Bicarb. (mg/L)	Carb. (mg/L)	Sulfate (mg/L)	Chloride (mg/L)	EC (µmhos/cm)	TDS (mg/L)
Value	416.00	256.00	0.00	1.50	70.50	441.00								5,860.00	3,130
DL	0.01	0.01	0.01	0.01	0.01	0.01								0.01	1

Lagoon Q1

Sample and source description: Lagoon Q1

Sample date: 03/30/2023 Material type: Process wastewater Source of analysis: Lab analysis pH: 7.40

	Kjeldahl-N (mg/L)	NH4-N (mg/L)	NH3-N (mg/L)	Nitrate-N (mg/L)	Total P (mg/L)	Total K (mg/L)	Calcium (mg/L)	Magnes. (mg/L)	Sodium (mg/L)	Bicarb. (mg/L)	Carb. (mg/L)	Sulfate (mg/L)	Chloride (mg/L)	EC (µmhos/cm)	TDS (mg/L)
Value	1,390.00	676.00	0.00	2.20	267.00	1,160.00								13,800.00	4,930
DL	0.01	0.01	0.01	0.01	0.01	0.01								10.00	1

Lagoon Q2

Sample and source description: Lagoon Q2

Sample date: 05/09/2023 Material type: Process wastewater Source of analysis: Lab analysis pH: 7.30

	Kjeldahl-N (mg/L)	NH4-N (mg/L)	NH3-N (mg/L)	Nitrate-N (mg/L)	Total P (mg/L)	Total K (mg/L)	Calcium (mg/L)	Magnes. (mg/L)	Sodium (mg/L)	Bicarb. (mg/L)	Carb. (mg/L)	Sulfate (mg/L)	Chloride (mg/L)	EC (µmhos/cm)	TDS (mg/L)
Value	593.00	365.00	0.00	0.60	123.00	581.00								7,320.00	3,120
DL	0.01	0.01	0.01	0.01	0.01	0.01								10.00	1

Lagoon Q3

Sample and source description: Lagoon Q3

Sample date: 07/25/2023 Material type: Process wastewater Source of analysis: Lab analysis pH: 7.40

	Kjeldahl-N (mg/L)	NH4-N (mg/L)	NH3-N (mg/L)	Nitrate-N (mg/L)	Total P (mg/L)	Total K (mg/L)	Calcium (mg/L)	Magnes. (mg/L)	Sodium (mg/L)	Bicarb. (mg/L)	Carb. (mg/L)	Sulfate (mg/L)	Chloride (mg/L)	EC (µmhos/cm)	TDS (mg/L)
Value	488.00	327.00	0.00	0.60	96.20	488.00								5,950.00	2,150
DL	0.01	0.01	0.01	0.01	0.01	0.01								10.00	1

Lagoon Q4

Sample and source description: Lagoon Q4

Sample date: 12/12/2023 Material type: Process wastewater Source of analysis: Lab analysis pH: 7.70

	Kjeldahl-N (mg/L)	NH4-N (mg/L)	NH3-N (mg/L)	Nitrate-N (mg/L)	Total P (mg/L)	Total K (mg/L)	Calcium (mg/L)	Magnes. (mg/L)	Sodium (mg/L)	Bicarb. (mg/L)	Carb. (mg/L)	Sulfate (mg/L)	Chloride (mg/L)	EC (µmhos/cm)	TDS (mg/L)
Value	362.00	281.00	0.00	1.50	54.70	477.00								0.00	2,950
DL	0.01	0.01	0.01	0.01	0.01	0.01								0.01	1

C. FRESH WATER ANALYSES

Canal

MID Canal

Sample description: MID Canal

Sample date: 10/19/2023 Source of analysis: Lab analysis

	Total N (mg/L)	NH4-N (mg/L)	Nitrate-N (mg/L)	Calcium (mg/L)	Magnesium (mg/L)	Sodium (mg/L)	Bicarbonate (mg/L)	Carbonate (mg/L)	Sulfate (mg/L)	Chloride (mg/L)	EC (µmhos/cm)	TDS (mg/L)
Value		0.00	1.00								32.20	28
DL		0.01	0.01								0.01	1

Domestic Well

DW - House

Sample description: DW - House

Sample date: 12/12/2023 Source of analysis: Lab analysis

	Total N (mg/L)	NH4-N (mg/L)	Nitrate-N (mg/L)	Calcium (mg/L)	Magnesium (mg/L)	Sodium (mg/L)	Bicarbonate (mg/L)	Carbonate (mg/L)	Sulfate (mg/L)	Chloride (mg/L)	EC (µmhos/cm)	TDS (mg/L)
Value		0.00	1.00								331.00	
DL		0.01	0.01								0.01	

DW - MB

Sample description: DW - MB

Sample date: 12/12/2023 Source of analysis: Lab analysis

	Total N (mg/L)	NH4-N (mg/L)	Nitrate-N (mg/L)	Calcium (mg/L)	Magnesium (mg/L)	Sodium (mg/L)	Bicarbonate (mg/L)	Carbonate (mg/L)	Sulfate (mg/L)	Chloride (mg/L)	EC (µmhos/cm)	TDS (mg/L)
Value		0.00	3.70								322.00	
DL		0.01	0.01								0.01	

D. SOIL ANALYSES

No soil analyses entered.

E. PLANT TISSUE ANALYSES

Dairy - 09/23/2022: Oats, silage-soft dough

Oat Silage

Sample and source description: Oat Silage

Sample date: 05/31/2023 Source of analysis: Lab analysis Method of reporting: Dry-weight

Moisture: 53.4 %

	Total N (mg/kg)	Total P (mg/kg)	Total K (mg/kg)	Total salt (mg/kg)	TFS (%)
Value	20,600.00	3,900.00	33,200.00		12.50
DL	0.01	0.01	0.01		1.00

F. SUBSURFACE (TILE) DRAINAGE ANALYSES

No subsurface (tile) drainage analyses entered.

NUTRIENT APPLICATIONS, POTENTIAL REMOVAL, AND BALANCE

A. SUMMARY OF NUTRIENT APPLICATIONS, POTENTIAL REMOVAL, AND BALANCE

	Total N (lbs)	Total P (lbs)	Total K (lbs)	Total salt (lbs)
Existing soil nutrient content	0.00	0.00	0.00	0.00
Plowdown credit	0.00	0.00	0.00	0.00
Commercial fertilizer / Other	0.00	0.00	0.00	0.00
Dry manure	12,743.79	1,238.43	2,037.41	0.00
Process wastewater	25,291.68	5,039.02	25,155.67	133,209.98
Fresh water	2,568.75	0.00	0.00	71,924.97
Atmospheric deposition	2,660.00	0.00	0.00	0.00
Total nutrients applied	43,264.23	6,277.44	27,193.08	205,134.95
Anticipated crop nutrient removal	48,100.00	7,240.00	40,840.00	0.00
Actual crop nutrient removal	33,080.62	5,202.89	53,799.32	187,298.20
Nutrient balance	10,183.61	1,074.55	-26,606.24	17,836.75
Applied to removed ratio	1.31	1.21	0.51	1.10

B. POUNDS OF NUTRIENT APPLIED VS. CROP REMOVAL

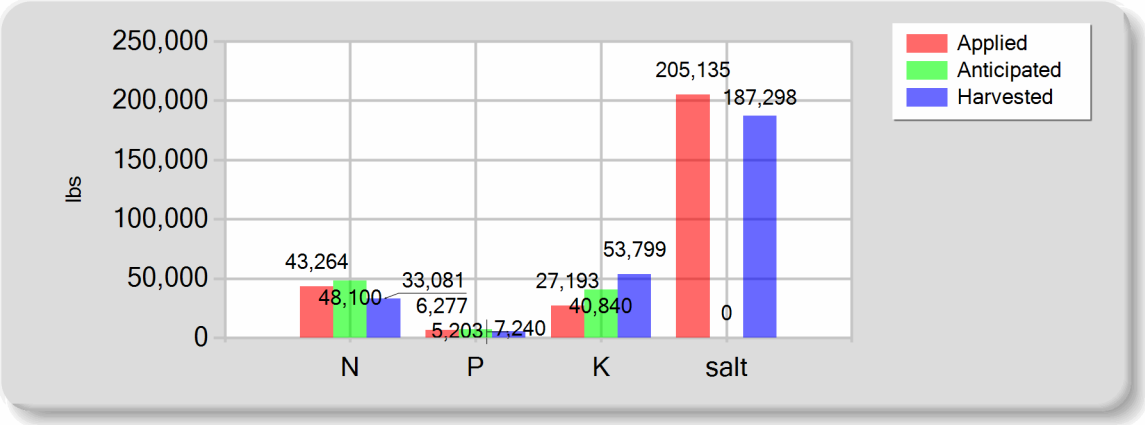

C. POUNDS OF NUTRIENT APPLIED BY MATERIAL TYPE

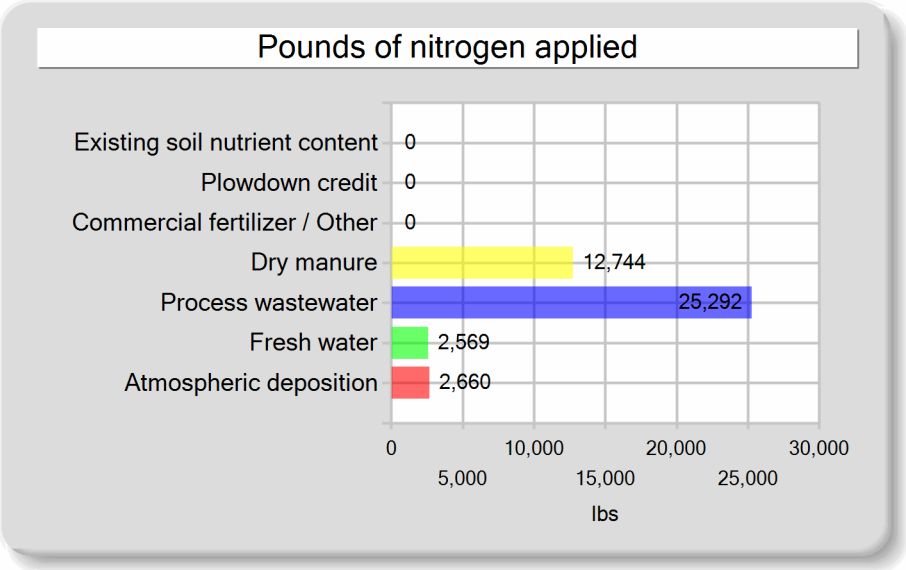

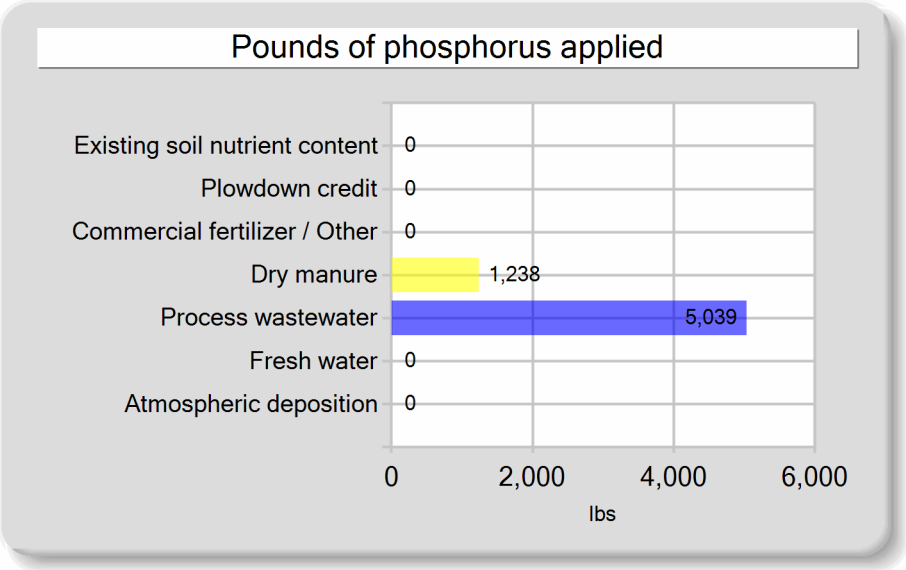

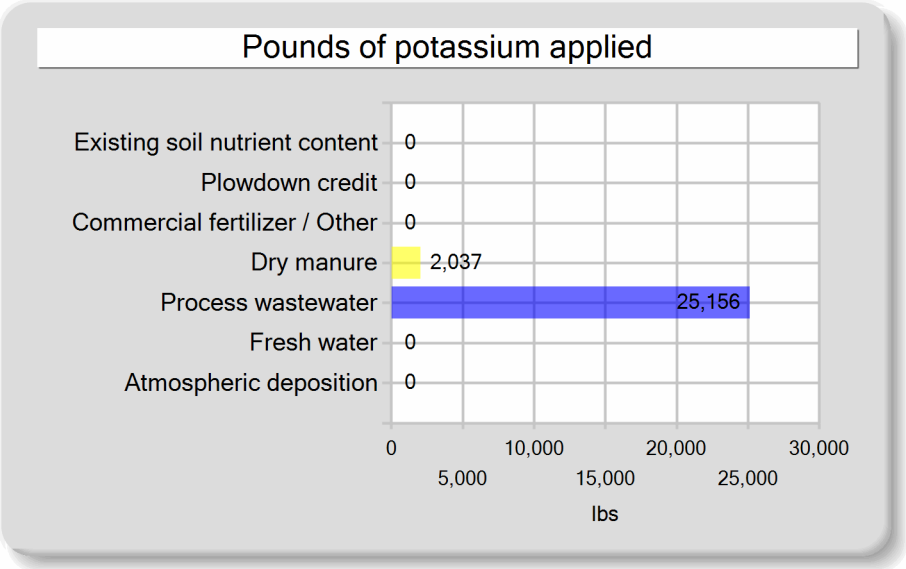

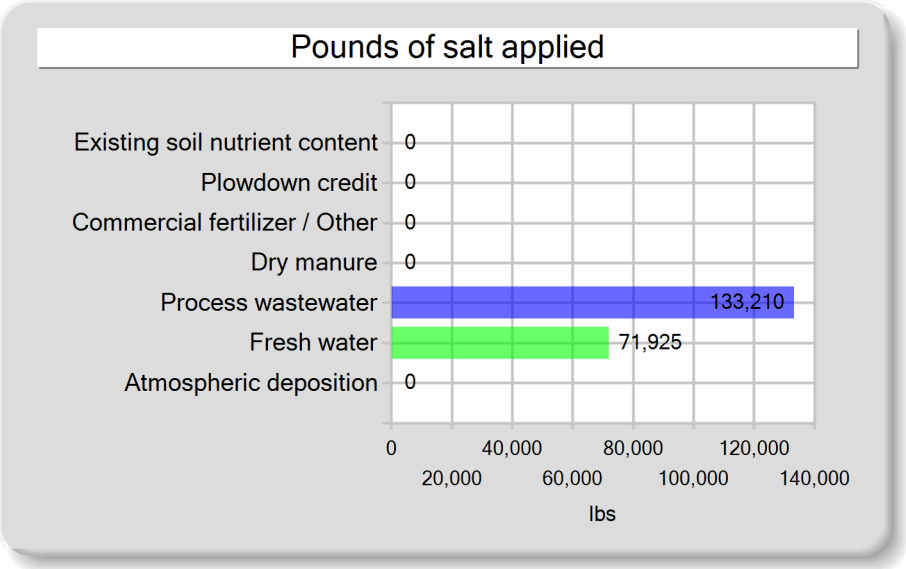

EXCEPTION REPORTING

A. MANURE, PROCESS WASTEWATER, AND OTHER DAIRY WASTE DISCHARGES

The following is a summary of all manure and process wastewater discharges from the production area to surface water or to land areas (land application areas or otherwise) when not in accordance with the facility's Nutrient Management Plan.

No manure or process wastewater discharges occurred during the reporting period.

B. STORM WATER DISCHARGES

The following is a summary of all storm water discharges from the production area to surface water during the reporting period when not in accordance with the facility 's Nutrient Management Plan.

No stormwater discharges occurred during the reporting period.

C. LAND APPLICATION AREA TO SURFACE WATER DISCHARGES

The following is a summary of all discharges from the land application area to surface water that have occurred during the reporting period when not in accordance with the facility's Nutrient Management Plan.

No land application area to surface water discharges occurred during the reporting period.

NUTRIENT MANAGEMENT PLAN AND EXPORT AGREEMENT STATEMENTS

A. NUTRIENT MANAGEMENT PLAN STATEMENTS

Was the facility's NMP updated in the reporting period?	Yes
Was the facility's NMP developed by a certified nutrient management planner (specialist) as specified in Attachment C of the General Order?	Yes
Was the facility's NMP approved by a certified nutrient management planner (specialist) as specified in Attachment C of the General Order?	Yes

B. EXPORT AGREEMENT STATEMENT

Are there any written agreements with third parties to receive manure or process wastewater that are new or were revised within the reporting period?	No

ADDITIONAL NOTES

A. NOTES

No notes entered for this annual report.

CERTIFICATION

A. OWNER AND/OR OPERATOR CERTIFICATION

I certify under penalty of law that I have personally examined and am familiar with the information submitted in this document and all attachments and that, based on my inquiry of those individuals immediately responsible for obtaining the information, I believe that the information is true, accurate, and complete. I am aware that there are significant penalties for submitting false information, including the possibility of fine and imprisonment.

Toby Soares	Luis Correia
SIGNATURE OF OWNER OF FACILITY	SIGNATURE OF OPERATOR OF FACILITY
Toby Soares	Luis Correia
PRINT OR TYPE NAME	PRINT OR TYPE NAME
Jun 29, 2024	6/29/24
DATE	DATE

ATTACHMENTS

A. REQUIRED ATTACHMENTS

The following lists the required documents that should be attached to the Annual Report when submitted .

Annual Dairy Facility Assessment
Provide an Annual Dairy Facility Assessment (an update to the Preliminary Dairy Facility Assessment in Attachment A) for each reporting period. On the PDFA Final page, click on the ADFA Report button to generate an ADFA report after updating information as needed .

Manure/Process Wastewater Tracking Manifests
Provide copies of all manure/process wastewater tracking manifests for the reporting period, signed by both the owner/operator and the hauler.

Corrective Actions Documents
Provide records documenting any corrective actions taken to correct deficiencies noted as a result of the inspections required in the Monitoring Requirements of the General Order. Deficiencies not corrected in 30 days must be accompanied by an explanation of the factors preventing immediate correction.

Groundwater Monitoring
Dischargers that monitor supply wells or subsurface (tile) drainage systems, or that have monitoring well systems must submit monitoring results as directed in the General Order, Groundwater Reporting Section starting on page MRP-13.

Storm Water Monitoring
Dischargers that are required to monitor storm water more frequently than required in the General Order must submit monitoring results as directed in the General Order, Storm Water Reporting Section on page MRP-14.

DELLAVALLE LABORATORY INC

Report of Dairy Well Water Analysis

Luis Correia Dairy
5973 Sugarplum Drive
Atwater CA 95301
00-0021343 08

E-mail:
Copy To: cas.labs@yahoo.com

Lab No.: 23L0865
Sampled By: M Dekeyrel
Requested By: Luis Correia
Submitted Date: 12/13/23
Reported Date: 12/20/23
Project: Toby Soares
Crop ID:

		Date Sampled	Time Sampled	EC µmhos/cm	EC mmhos/cm	NO_3-N mg/L	Field NH_4-N mg/L	Total NH_4-N mg/L	pH at 25°C unit
1	DW - MB	12/12/23	11:35	322	0.32	3.7	ND		7.2
2	DW - House	12/12/23	11:40	331	0.33	1.0	ND		7.0

***** = Field NH_4-N not Taken.
ND = None Detected

Approved By: Scott M Friedland
Laboratory Director\Technical Manager
ELAP Certification #1595
A2LA Certification #6440.02

DELLAVALLE LABORATORY INC

Report of Dairy Well Water Analysis

Luis Correia Dairy
5973 Sugarplum Drive
Atwater CA 95301
00-0021343 08

E-mail:
Copy To: cas.labs@yahoo.com

Lab No.: 23L0865
Sampled By: M Dekeyrel
Requested By: Luis Correia
Submitted Date: 12/13/23
Reported Date: 12/20/23
Project: Toby Soares
Crop ID:

		Date Sampled	Time Sampled	EC µmhos/cm	EC mmhos/cm	NO_3-N mg/L	Nitrogen agricultural use Calcs calculated from nitrate-N lbs/AcFoot	lbs/AcInch
1	DW - MB	12/12/23	11:35	322	0.32	**3.7**	10.10	0.84
2	DW - House	12/12/23	11:40	331	0.33	1.0	2.73	0.23

Water for Crop Use **Nutrient Management**	Total Salts	Total Salts	Nitrate Nitrogen
Low Levels	< 900	< 0.90	< 2.0
Significant Levels	900-2200	0.90-2.2	2.0-10.0
High Levels	2200+	2.2+	10.0+

Sampling abbreviations: H.B. = hose bib, S.P. = stand pipe, Dom. = domestic well, IR = irrigation well, AG = ag well.
Nitrate exceeds Water Quality MCL levels if results are above 10 mg/l nitrate-nitrogen NO3-N (equivalent to 45 mg/l nitrate, NO3).
Total Salt results are used to monitor changes of salt in the well aquifers between annual tests.
MCL = Maximum Contaminant Level according to the California Domestic Water Quality and Monitoring Regulations (Title 22)
MDL = Method Detection Limit; **RL** = Reporting Limit, mg/L = ppm.
SM = Standard Methods for the Examination of Water and Wastewater
EPA = Environmental Protection Agency methods used unless otherwise indicated.

DELLAVALLE™
LABORATORY INC

Luis Correia Dairy
5973 Sugarplum Drive
Atwater, CA 95301

Account# 00-0021343
Account Manager: Ben Nydam
Submitted By: Luis Correia
Ranch: Toby Soares

Received: 12/13/2023 15:15
Reported: 12/20/2023 15:55

Samples in this Report

Lab ID	Sample	Matrix	Sampled By	Crop	Date Sampled
23L0865-01	DW - MB	Ag Water	M Dekeyrel		12/12/2023 11:35
23L0865-02	DW - House	Ag Water	M Dekeyrel		12/12/2023 11:40

Default Cooler Temperature on Receipt °C: 2.6
Containers Intact
COC/Labels Agree
Received On Ice

Notes and Definitions

Item	Definition
H	Hold Time Exceeded
MCL	Drinking Water Maximum Contaminant Level
ND	Analyte NOT DETECTED at or above the reporting limit.
NES	Not Enough Sample
*	Not Taken
RPD	Relative Percent Difference
%REC	Percent Recovery
Source	Sample that was matrix spiked or duplicated.

Scott McFriedland

Laboratory Director/Technical Manager

ELAP Certification #1595
A2LA Certification #6440.02

The results in this report apply to the samples as received and were analyzed in accordance with the chain of custody document. This analytical report must be reproduced in its entirety. All results listed in this report are for the exclusive use of the submitting party. Dellavalle Laboratory, Inc. assumes no responsibility for report alteration, separation, detachment or third party interpretation.

DELLAVALLE™
LABORATORY INC

Luis Correia Dairy
5973 Sugarplum Drive
Atwater, CA 95301

Account# 00-0021343
Account Manager: Ben Nydam
Submitted By: Luis Correia
Ranch: Toby Soares

Received: 12/13/2023 15:15
Reported: 12/20/2023 15:55

Sample Results

Sample: DW - MB
23L0865-01 (Water)

Sampled: 12/12/2023 11:35
Sampled By: M Dekeyrel

Analyte	Result	Units	Reporting Limit	DIL	DW MCL	Date/Time Analyzed	Method	Notes	Batch
Electrical Conductivity	**0.32**	mmhos/cm	0.01	1		12/18/23 11:27	SM 2510 B		BEL0676
Electrical Conductivity umhos	**322**	umhos/cm	10.0	1		12/18/23 11:27	SM 2510 B		BEL0676
Ammonia (as N)	ND	mg/L	0.00	1		12/12/23 11:35	Field		BEL0554
Nitrate Nitrogen as NO3N	**3.7**	mg/L	0.1	1	10	12/16/23 20:36	EPA 300.0		BEL0664
Temperature	**25.0**	units	0.0	1		12/18/23 11:27	SM 4500-H+	H	BEL0676
pH	**7.2**	units	1.0	1		12/18/23 11:27	SM 4500-H+	H	BEL0676

The results in this report apply to the samples as received and were analyzed in accordance with the chain of custody document. This analytical report must be reproduced in its entirety. All results listed in this report are for the exclusive use of the submitting party. Dellavalle Laboratory, Inc. assumes no responsibility for report alteration, separation, detachment or third party interpretation.

DELLAVALLE™
LABORATORY INC

Luis Correia Dairy
5973 Sugarplum Drive
Atwater, CA 95301

Account# 00-0021343
Account Manager: Ben Nydam
Submitted By: Luis Correia
Ranch: Toby Soares

Received: 12/13/2023 15:15
Reported: 12/20/2023 15:55

Sample Results
(Continued)

Sample: DW - House
23L0865-02 (Water)

Sampled: 12/12/2023 11:40
Sampled By: M Dekeyrel

Analyte	Result	Units	Reporting Limit	DIL	DW MCL	Date/Time Analyzed	Method	Notes	Batch
Electrical Conductivity	**0.33**	mmhos/cm	0.01	1		12/18/23 11:29	SM 2510 B		BEL0676
Electrical Conductivity umhos	**331**	umhos/cm	10.0	1		12/18/23 11:29	SM 2510 B		BEL0676
Ammonia (as N)	ND	mg/L	0.00	1		12/12/23 11:40	Field		BEL0554
Nitrate Nitrogen as NO3N	**1.0**	mg/L	0.1	1	10	12/16/23 20:56	EPA 300.0		BEL0664
Temperature	**25.0**	units	0.0	1		12/18/23 11:29	SM 4500-H+	H	BEL0676
pH	**7.0**	units	1.0	1		12/18/23 11:29	SM 4500-H+	H	BEL0676

The results in this report apply to the samples as received and were analyzed in accordance with the chain of custody document. This analytical report must be reproduced in its entirety. All results listed in this report are for the exclusive use of the submitting party. Dellavalle Laboratory, Inc. assumes no responsibility for report alteration, separation, detachment or third party interpretation.

DELLAVALLE™
LABORATORY INC

Luis Correia Dairy
5973 Sugarplum Drive
Atwater, CA 95301

Account# 00-0021343
Account Manager: Ben Nydam
Submitted By: Luis Correia
Ranch: Toby Soares

Received: 12/13/2023 15:15
Reported: 12/20/2023 15:55

Quality Control

Analyte	Result	Qual	Reporting Limit	Units	Spike Level	Source Result	%REC	%REC Limits	RPD	RPD Limit
Batch: BEL0664										
Blank (BEL0664-BLK1)					Prepared & Analyzed: 12/16/2023					
Nitrate Nitrogen as NO3N	ND		0.1	mg/L						
Blank (BEL0664-BLK2)					Prepared & Analyzed: 12/16/2023					
Nitrate Nitrogen as NO3N	ND		0.1	mg/L						
Blank (BEL0664-BLK3)					Prepared: 12/16/2023 Analyzed: 12/17/2023					
Nitrate Nitrogen as NO3N	ND		0.1	mg/L						
Blank (BEL0664-BLK4)					Prepared: 12/16/2023 Analyzed: 12/17/2023					
Nitrate Nitrogen as NO3N	ND		0.1	mg/L						
Blank (BEL0664-BLK5)					Prepared: 12/16/2023 Analyzed: 12/17/2023					
Nitrate Nitrogen as NO3N	ND		0.1	mg/L						
LCS (BEL0664-BS1)					Prepared & Analyzed: 12/16/2023					
Nitrate Nitrogen as NO3N	5.2		0.1	mg/L	5.000		104	90-110		
LCS (BEL0664-BS2)					Prepared: 12/16/2023 Analyzed: 12/17/2023					
Nitrate Nitrogen as NO3N	5.0		0.1	mg/L	5.000		100	90-110		
LCS (BEL0664-BS3)					Prepared: 12/16/2023 Analyzed: 12/17/2023					
Nitrate Nitrogen as NO3N	5.1		0.1	mg/L	5.000		102	90-110		
LCS (BEL0664-BS4)					Prepared: 12/16/2023 Analyzed: 12/17/2023					
Nitrate Nitrogen as NO3N	5.2		0.1	mg/L	5.000		103	90-110		
Duplicate (BEL0664-DUP1)		**Source: 23L0865-01**			Prepared & Analyzed: 12/16/2023					
Nitrate Nitrogen as NO3N	3.8		0.1	mg/L		3.7			0.802	10
Duplicate (BEL0664-DUP2)		**Source: 23L0871-04**			Prepared: 12/16/2023 Analyzed: 12/17/2023					
Nitrate Nitrogen as NO3N	5.2		0.1	mg/L		5.2			0.155	10
Duplicate (BEL0664-DUP3)		**Source: 23L0984-02**			Prepared: 12/16/2023 Analyzed: 12/17/2023					
Nitrate Nitrogen as NO3N	1.0		0.1	mg/L		1.0			0.305	10
Duplicate (BEL0664-DUP4)		**Source: 23L0984-03**			Prepared: 12/16/2023 Analyzed: 12/17/2023					
Nitrate Nitrogen as NO3N	1.3		0.1	mg/L		1.3			1.68	10
Matrix Spike (BEL0664-MS1)		**Source: 23L0865-01**			Prepared & Analyzed: 12/16/2023					
Nitrate Nitrogen as NO3N	8.8		0.1	mg/L	5.000	3.7	101	90-110		
Matrix Spike (BEL0664-MS2)		**Source: 23L0871-04**			Prepared: 12/16/2023 Analyzed: 12/17/2023					
Nitrate Nitrogen as NO3N	10.2		0.1	mg/L	5.000	5.2	102	90-110		

The results in this report apply to the samples as received and were analyzed in accordance with the chain of custody document. This analytical report must be reproduced in its entirety. All results listed in this report are for the exclusive use of the submitting party. Dellavalle Laboratory, Inc. assumes no responsibility for report alteration, separation, detachment or third party interpretation.

DELLAVALLE™ LABORATORY INC

Luis Correia Dairy
5973 Sugarplum Drive
Atwater, CA 95301

Account# 00-0021343
Account Manager: Ben Nydam
Submitted By: Luis Correia
Ranch: Toby Soares

Received: 12/13/2023 15:15
Reported: 12/20/2023 15:55

Quality Control
(Continued)

Analyte	Result	Qual	Reporting Limit	Units	Spike Level	Source Result	%REC	%REC Limits	RPD	RPD Limit
Batch: BEL0664 (Continued)										
Matrix Spike (BEL0664-MS3)			**Source: 23L0984-02**		Prepared: 12/16/2023	Analyzed: 12/17/2023				
Nitrate Nitrogen as NO3N	6.2		0.1	mg/L	5.000	1.0	104	90-110		
Matrix Spike (BEL0664-MS4)			**Source: 23L0984-03**		Prepared: 12/16/2023	Analyzed: 12/17/2023				
Nitrate Nitrogen as NO3N	6.5		0.1	mg/L	5.000	1.3	103	90-110		
Reference (BEL0664-SRM1)					Prepared & Analyzed: 12/16/2023					
Nitrate Nitrogen as NO3N	10.2			mg/L	10.00		102	90-110		
Reference (BEL0664-SRM2)					Prepared: 12/16/2023	Analyzed: 12/17/2023				
Nitrate Nitrogen as NO3N	10.2			mg/L	10.00		102	90-110		
Reference (BEL0664-SRM3)					Prepared: 12/16/2023	Analyzed: 12/17/2023				
Nitrate Nitrogen as NO3N	10.3			mg/L	10.00		103	90-110		
Reference (BEL0664-SRM4)					Prepared: 12/16/2023	Analyzed: 12/17/2023				
Nitrate Nitrogen as NO3N	10.3			mg/L	10.00		103	90-110		
Reference (BEL0664-SRM5)					Prepared: 12/16/2023	Analyzed: 12/17/2023				
Nitrate Nitrogen as NO3N	10.4			mg/L	10.00		104	90-110		

The results in this report apply to the samples as received and were analyzed in accordance with the chain of custody document. This analytical report must be reproduced in its entirety. All results listed in this report are for the exclusive use of the submitting party. Dellavalle Laboratory, Inc. assumes no responsibility for report alteration, separation, detachment or third party interpretation.

DELLAVALLE™
LABORATORY INC

Luis Correia Dairy
5973 Sugarplum Drive
Atwater, CA 95301

Account# 00-0021343
Account Manager: Ben Nydam
Submitted By: Luis Correia
Ranch: Toby Soares

Received: 12/13/2023 15:15
Reported: 12/20/2023 15:55

Quality Control
(Continued)

Analyte	Result	Qual	Reporting Limit	Units	Spike Level	Source Result	%REC	%REC Limits	RPD	RPD Limit
Batch: BEL0676										
Blank (BEL0676-BLK1)					Prepared & Analyzed: 12/18/2023					
Electrical Conductivity	ND		0.01	mmhos/cm						
Temperature	25.0		0.0	units						
Electrical Conductivity umhos	ND		10.0	umhos/cm						
pH	6.2		1.0	units						
Blank (BEL0676-BLK2)					Prepared & Analyzed: 12/18/2023					
Electrical Conductivity	ND		0.01	mmhos/cm						
Temperature	25.0		0.0	units						
Electrical Conductivity umhos	ND		10.0	umhos/cm						
pH	7.6		1.0	units						
Blank (BEL0676-BLK3)					Prepared & Analyzed: 12/18/2023					
Electrical Conductivity	ND		0.01	mmhos/cm						
Temperature	25.0		0.0	units						
pH	7.7		1.0	units						
Electrical Conductivity umhos	ND		10.0	umhos/cm						
Duplicate (BEL0676-DUP1)		**Source: 23L0871-05**			Prepared & Analyzed: 12/18/2023					
Electrical Conductivity	0.60		0.01	mmhos/cm		0.61			0.979	10
pH	7.6		1.0	units		7.5			1.85	10
Electrical Conductivity umhos	599		10.0	umhos/cm		605			0.979	10
Duplicate (BEL0676-DUP2)		**Source: 23L0882-03**			Prepared & Analyzed: 12/18/2023					
Electrical Conductivity	0.90		0.01	mmhos/cm		0.90			0.0111	10
Electrical Conductivity umhos	900		10.0	umhos/cm		900			0.0111	10
pH	7.9		1.0	units		7.9			0.127	10
Reference (BEL0676-SRM1)					Prepared & Analyzed: 12/18/2023					
Electrical Conductivity	431			umhos/cm	426.0		101	90-110		
Reference (BEL0676-SRM2)					Prepared & Analyzed: 12/18/2023					
pH	7.6			units	7.520		100	67021-101.32		
Reference (BEL0676-SRM3)					Prepared & Analyzed: 12/18/2023					
Electrical Conductivity	1030			umhos/cm	1000		103	90-110		
Electrical Conductivity umhos	1030			umhos/cm	1000		103	90-110		
Reference (BEL0676-SRM4)					Prepared & Analyzed: 12/18/2023					
Electrical Conductivity	1060			umhos/cm	1000		106	90-110		
Electrical Conductivity umhos	1060			umhos/cm	1000		106	90-110		
Reference (BEL0676-SRM5)					Prepared & Analyzed: 12/18/2023					
Electrical Conductivity	1050			umhos/cm	1000		105	90-110		

The results in this report apply to the samples as received and were analyzed in accordance with the chain of custody document. This analytical report must be reproduced in its entirety. All results listed in this report are for the exclusive use of the submitting party. Dellavalle Laboratory, Inc. assumes no responsibility for report alteration, separation, detachment or third party interpretation.

DELLAVALLE™
LABORATORY INC

Luis Correia Dairy
5973 Sugarplum Drive
Atwater, CA 95301

Account# 00-0021343
Account Manager: Ben Nydam
Submitted By: Luis Correia
Ranch: Toby Soares

Received: 12/13/2023 15:15
Reported: 12/20/2023 15:55

Quality Control
(Continued)

Analyte	Result	Qual	Reporting Limit	Units	Spike Level	Source Result	%REC	%REC Limits	RPD	RPD Limit
Batch: BEL0676 (Continued)										
Reference (BEL0676-SRM5)					Prepared & Analyzed: 12/18/2023					
Electrical Conductivity umhos	1050			umhos/cm	1000		105	90-110		
Reference (BEL0676-SRM6)					Prepared & Analyzed: 12/18/2023					
pH	4.0			units	4.000		101	97.5-102.5		
Reference (BEL0676-SRM7)					Prepared & Analyzed: 12/18/2023					
pH	4.0			units	4.000		101	97.5-102.5		
Reference (BEL0676-SRM8)					Prepared & Analyzed: 12/18/2023					
pH	4.0			units	4.000		101	97.5-102.5		

The results in this report apply to the samples as received and were analyzed in accordance with the chain of custody document. This analytical report must be reproduced in its entirety. All results listed in this report are for the exclusive use of the submitting party. Dellavalle Laboratory, Inc. assumes no responsibility for report alteration, separation, detachment or third party interpretation.

12/13/23 15:15 23L0865

JG

DELLAVALLE LABORATORY, INC.

1910 W. McKinley Avenue, Suite 110 • Fresno, CA 93728
www.dellavallelab.com 559 233-6129 • 800 228-9896 • Fax 559 268-8174

WATER WORK REQUEST

Acct No. / Cons.

Bill To: 21343 | 8

Purchase Order No. _____ Results Needed By _____

Client: **Corriea Dairy, Luis**
Address: 5973 Sugarplum Drive
City, State, Zip: Atwater, CA 95301
Phone _____ Fax _____
Cell/Email _____

Copy to: Cardoso Ag Sevices - cas.labs@yahoo.com

Requested by: Luis Correia - (209) 201-1520

Ranch: Toby Soares

Date sampled: 12/12/23

Sampled by: M Delaure

[X] QA/QC Document [X] Copy of Chain [ ] RWQCB

No. of Samples _____ No. Bottles _____

Water Type: [ ] Drinking [ ] Wastewater
[X] Ag Water [ ] Ground Water [ ] Mon. Well
[ ] Supply Water [ ] Other _____

Analysis and Bottles Required: *(Please Indicate Analysis)*

(X) DWW1: (EC, pH, NO_3-N, **NH_4-N Field Test**)
(1) l L plastic, unpreserved (white)

( ) DWW2: (DWW1 Plus SO_4, CO_3, HCO_3, Cl, Ca, Mg, Na, TDS)
(1) l L plastic, unpreserved (white)

( ) DCW1: (EC, NO_3-N, TDS)
(1) l L plastic, unpreserved (white)

( ) DPW1: (EC, pH, NO_3-N, NH_4-N, TKN, TDS, TP, TK)
(1) l L plastic, unpreserved (white)

( ) DPW2: (DPW1 Plus Ca, Mg, Na, HCO_3, CO_3, SO_4, Cl)
(1) l L plastic, unpreserved (white)

( ) Other _____

DESCRIPTION OF SAMPLES		Date Sampled	Time Sampled	Field NH4-N (mg/L)	Received Temp °C
1. DW MB	Sampled From:	12/12/23	1135A	0	2.6
2. DW-House	Sampled From:	12/12/23	1140A	0	3.1
3.	Sampled From:				
4.	Sampled From:				
5.	Sampled From:				
6.	Sampled From:				
7.	Sampled From:				
8.	Sampled From:				
9.	Sampled From:				
10.	Sampled From:				

IR Thermometer SN: 200560723
Correction Factor: 0°C
Calibration Due: 03/06/2024
Location: Laboratory

CHAIN OF CUSTODY

Carrier	Signature	Company	Received (Date/Time)	Relinquished (Date/Time)
First	M Delaure	CASIre	12/12/23 1140A	12/13/23 11:20A
Second	JLF	DLV	12-13-23 11:00	12-13-23 3:01
Third				
Fourth	JG	DL1	12/13/23 15:15	

I guarantee that as the client, or on behalf of the client named, I have the authority to contract the above requested services. Should it be found that I do not have such authority, I agree to be personally liable for all costs and, if there should be action against me for this breach, reasonable attorneys' fees. It is understood that payment is expected to be cash with samples unless terms have been previously arranged. Terms are net 30 days; overdue accounts will be charged a dated damage fee of 2% per month (annually 24 %) or $5.00 per month whichever is greater.

If payment is not made when due and a legitimate dispute exists concerning the product or services of Dellavalle Laboratory, Inc., it will be submitted to mediation under the Rules and Procedures of Creative Alternative to Litigation, Inc. (cal). If the dispute is not resolved in mediation, then the dispute will be submitted to binding arbitration through cal under its Rules and Procedures. The prties will equally bear the costs of mediation/arbitration. If, however, the mediator declares that no legitimate dispute exists, then debtor will pay all mediation and arbitration costs, and in the event of arbitration, reasonable attorneys' fees of Dellavalle Laboratory.

Invoicing Information:

Sampling Hrs ____ Miles ____ Consulting ____

Amt Paid ____ Rec By ____ Check No. ____

Shipping
$ _____ In
$ _____ Out
Date _____

Signature _____

Sample received in cooler with ice?
[ ] Yes [ ] No

ctt:update 2020

Shipping Information: Shipped In ☐ Picked-Up ☒ Walk In ☐ DLI Sampler ☐ Other ☐ _____

Container: Ice Chest ☒ Box ☐ None ☐ **Refrigerant:** Wet Ice ☒ Blue Ice ☐ None ☐

Samples Preserved with HNO_3 or H_2SO_4 were: ☐ Received Preserved ☐ Preserved Upon Receipt at Laboratory

12/13/23 15:15 23L0865

	Type of Container(s) Received	Sample Number 1	2	3	4	5	6	7	8	9	10
	Sample Containers for Internal (DLI) Use *(Containers that go into the Lab)*										
Plastics	100 mL sterile plastic $Na_2S_2O_3$ (Green)										
	250 mL unpreserved (White) Plastic										
	250 mL HNO_3 (Red) Plastic										
	* pH Value										
	250 mL H_2SO_4 (Yellow) Plastic										
	* pH Value										
	500 mL unpreserved (White) Plastic										
	1 L unpreserved (White) Plastic	1	1								
	1 L unpreserved (BOD) (Purple) Plastic										
"	500mL unpreserved (White) Glass										
	PO4-P Kit										
	Other:										
	Sample Containers for Subcontracted ("Send Out") Analyses *(Containers that go in the Subcontract ("Send Out") Refrigerator)*										
Plastics	100 mL sterile plastic $Na_2S_2O_3$ (Green)										
	250 mL unpreserved (White) Plastic										
	250 mL HNO_3 (Red) Plastic										
	250 mL H_2SO_4 (Yellow) Plastic										
	500 mL HNO_3 (Red)										
	1 L unpreserved (White) Plastic										
	1 L unpreserved (BOD) (Purple) Plastic										
	1 L HNO_3 (Red)										
VOA Vials	40 mL AG VOA, $Na_2S_2O_3$ + MCAA										
	40 mL AG VOA, $Na_2S_2O_3$										
	40mL AG VOA unpreserved (White) (Set of 3										
	40 mL AG VOA, $Na_2S_2O_3$ (Green) (Set of 3)										
	40mL VOA, H_3PO_4 (Set of 3)										
	40 mL VOA, HCl (Blue) (Set of 3)										
	40 mL VOA, $Na_2S_2O_3$ (Green) (Set of 3)										
Glass	250 mL AG unpreserved (White)										
	250 mL AG H_2SO_4 (Yellow)										
	250 mL AG $Na_2S_2O_3$ (Green)										
	250 mL AG $Na_2S_2O_3$ + MCAA										
	500 mL glass unpreserved (White)										
	500 mL AG HCl (Blue)										
	1 L AG unpreserved (White)										
	1 L AG H_2SO_4 (Yellow)										
	1 L AG $Na_2S_2O_3$ (Green)										
	1 L AG HCl (Blue)										
Special	Cr^{6+} - 50mL Plastic w/Borate/HCO_3/CO_3										
	Cyanide - 500 mL NaOH										
	Asbestos - 1L P wrapped in foil (Set of 2)										
	Sulfide - 1 L **AG** or **P** NaOH + ZnAc										
	Chlorite/Bromate - 250 mL AG with EDA										
	HAA5 - 250mL AG Ammonium Chlorite										
	DO KIT										
	Other:										
	Other:										

SEND OUT