CALIFORNIA REGIONAL WATER QUALITY CONTROL BOARD

CENTRAL VALLEY REGION
11020 SUN CENTER DR #200
RANCHO CORDOVA CA 95670-6114

2023 ANNUAL REPORT

PREPARED FOR:

AZEVEDO DAIRY #1

2025 W EL NIDO RD

EL NIDO CA 95317

NOTES:

PREPARED BY:

CARDOSO AG SERVICES
PO BOX 906
NEWMAN CA 95360

Annual Report - General Order No. R5-2007-0035
Reporting period 01/01/2023 to 12/31/2023.

DAIRY FACILITY INFORMATION

A. NAME OF DAIRY OR BUSINESS OPERATING THE DAIRY: Antonio Azevedo Dairy #1

Physical address of dairy:

2025 W El Nido RD	El Nido	Merced	95317
Number and Street	City	County	Zip Code

Street and nearest cross street (if no address):

Date facility was originally placed in operation: 01/01/1950

Regional Water Quality Control Board Basin Plan designation: San Joaquin River Basin

County Assessor Parcel Number(s) for dairy facility:

X074-X110-X022-XXXX

B. OPERATORS

Azevedo, Antonio or Alexandrina

Operator name: Azevedo, Antonio or Alexandrina

Telephone no.: (209) 723-3056 Landline (209) 564-7596 Cellular

2025 El Nido RD	El Nido	CA	95317
Mailing Address Number and Street	City	State	Zip Code

This operator is responsible for paying permit fees.

C. OWNERS

Azevedo, Antonio or Alexandrina

Legal owner name: Azevedo, Antonio or Alexandrina

Telephone no.: (209) 723-3056 Landline (209) 564-7596 Cellular

2025 El Nido RD	El Nido	CA	95317
Mailing Address Number and Street	City	State	Zip Code

This owner is responsible for paying permit fees.

AVAILABLE NUTRIENTS

A. HERD INFORMATION

	Milk Cows	Dry Cows	Bred Heifers (15-24 mo.)	Heifers (7-14 mo. to breeding)	Calves (4-6 mo.)	Calves (0-3 mo.)
Number open confinement	0	0	0	1,000	1,150	0
Number under roof	2,750	1,270	1,350	0	0	0
Maximum number	2,750	1,270	1,350	1,000	1,150	0
Average number	2,750	1,270	1,350	1,000	1,150	0
Avg live weight (lbs)	1,200	1,250	875	550		

Predominant milk cow breed: Jersey-Holstein Cross

Average milk production: 66 *pounds per cow per day*

B. MANURE GENERATED

Total manure excreted by the herd: 113,299.24 *tons per reporting period*

Total nitrogen from manure: 1,418,971.21 *lbs per reporting period*

After ammonia losses (30% loss applied): 993,279.85 *lbs per reporting period*

Total phosphorus from manure: 225,526.27 *lbs per reporting period*

Total potassium from manure: 519,423.37 *lbs per reporting period*

Total salt from manure: 1,586,874.00 *lbs per reporting period*

C. PROCESS WASTEWATER GENERATED

Process wastewater generated: 50,700,000 *gallons*

Total nitrogen generated: 138,255.11 *lbs*

Total phosphorus generated: 37,863.04 *lbs*

Total potassium generated: 200,639.10 *lbs*

Total salt generated: 1,196,997.45 *lbs*

	50,700,000	*gallons applied*
+	0	*gallons exported*
-	0	*gallons imported*
=	50,700,000	*gallons generated*

D. FRESH WATER SOURCES

Source Description	Type
Domestic Well	Ground water
Irrigation Well	Ground water

E. SUBSURFACE (TILE) DRAINAGE SOURCES

No subsurface (tile) drainage sources entered.

F. NUTRIENT IMPORTS

No dry manure nutrient imports entered.

No process wastewater nutrient imports entered.

No commercial or other nutrient imports entered.

G. NUTRIENT EXPORTS

Date	Material type	Quantity	Reporting basis	Moisture (%)	Density (lbs/cu ft)	N (mg/kg)	P (mg/kg)	K (mg/kg)	Salt (mg/kg)	TFS (%)
05/26/2023	Corral solids	24,216.00 *ton*	Dry-weight	42.4		6,100.00	2,200.00	11,900.00		83.90
07/31/2023	Corral solids	17,448.00 *ton*	Dry-weight	42.4		6,100.00	2,200.00	11,900.00		83.90
08/23/2023	Corral solids	7,272.00 *ton*	Dry-weight	42.4		6,100.00	2,200.00	11,900.00		83.90
11/15/2023	Corral solids	8,436.00 *ton*	Dry-weight	27.6		30,300.00	9,500.00	37,900.00		0.00

No liquid nutrient exports entered.

Material type	Total N (lbs)	Total P (lbs)	Total K (lbs)	Total salt (lbs)
Dry manure	714,007.50	240,069.01	1,133,814.77	47,298,014.21
Process wastewater	0.00	0.00	0.00	0.00
Total exports for all materials	714,007.50	240,069.01	1,133,814.77	47,298,014.21

APPLICATION AREA

A. LIST OF LAND APPLICATION AREAS

Field name	Controlled acres	Cropable acres	Total harvests	Type of waste applied	Parcel number
Field 2	35	35	2	process wastewater	X074-X110-X022-XXXX
Field 3	40	40	2	process wastewater	X074-X110-X022-XXXX
Field 5	75	75	3	process wastewater	X074-X110-X025-XXXX
Field 6	80	80	2	both	X074-X110-X019-XXXX X074-X110-X021-XXXX
Field 7	80	80	2	process wastewater	X074-X110-X019-XXXX
Field 8	80	80	2	both	X074-X110-X019-XXXX
Field 9	80	80	2	both	X074-X110-X019-XXXX
Totals for areas that were used for application	470	470	15		
Totals for areas that were not used for application					
Land application area totals	470	470	15		

B. CROPS AND HARVESTS

Field 2

Field name: Field 2

10/16/2022: Oats, silage-soft dough

Crop: Oats, silage-soft dough Acres planted: 35 Plant date: 10/16/2022

Harvest date	Yield	Reporting basis	Density (lbs/cu ft)	Moisture (%)	N (mg/kg)	P (mg/kg)	K (mg/kg)	Salt (mg/kg)	TFS (%)
04/13/2023	486.10 *ton*	Dry-weight		75.2	16,700.00	3,300.00	23,200.00		10.90

	Yield (tons/acre)	Total N (lbs/acre)	Total P (lbs/acre)	Total K (lbs/acre)	Salt (lbs/acre)
Anticipated harvest content	16.00	160.00	25.60	132.80	0.00
Total actual harvest content	13.89	115.04	22.73	159.82	750.87

Field 2

05/13/2023: Sudangrass, silage

Crop: Sudangrass, silage Acres planted: 35 Plant date: 05/13/2023

Harvest date	Yield	Reporting basis	Density (lbs/cu ft)	Moisture (%)	N (mg/kg)	P (mg/kg)	K (mg/kg)	Salt (mg/kg)	TFS (%)
09/06/2023	602.00 *ton*	Dry-weight		80.1	17,100.00	2,700.00	24,900.00		11.40

	Yield (tons/acre)	Total N (lbs/acre)	Total P (lbs/acre)	Total K (lbs/acre)	Salt (lbs/acre)
Anticipated harvest content	8.00	88.00	13.60	96.00	0.00
Total actual harvest content	17.20	117.06	18.48	170.46	780.40

Field 3

Field name: Field 3

10/16/2022: Oats, silage-soft dough

Crop: Oats, silage-soft dough Acres planted: 40 Plant date: 10/16/2022

Harvest date	Yield	Reporting basis	Density (lbs/cu ft)	Moisture (%)	N (mg/kg)	P (mg/kg)	K (mg/kg)	Salt (mg/kg)	TFS (%)
04/13/2023	556.00 *ton*	Dry-weight		77.9	24,900.00	4,100.00	40,900.00		14.40

	Yield (tons/acre)	Total N (lbs/acre)	Total P (lbs/acre)	Total K (lbs/acre)	Salt (lbs/acre)
Anticipated harvest content	16.00	160.00	25.60	132.80	0.00
Total actual harvest content	13.90	152.98	25.19	251.28	884.71

05/20/2023: Sudangrass, silage

Crop: Sudangrass, silage Acres planted: 40 Plant date: 05/20/2023

Harvest date	Yield	Reporting basis	Density (lbs/cu ft)	Moisture (%)	N (mg/kg)	P (mg/kg)	K (mg/kg)	Salt (mg/kg)	TFS (%)
09/06/2023	688.00 *ton*	Dry-weight		80.1	17,100.00	2,700.00	24,900.00		11.40

	Yield (tons/acre)	Total N (lbs/acre)	Total P (lbs/acre)	Total K (lbs/acre)	Salt (lbs/acre)
Anticipated harvest content	8.00	88.00	13.60	96.00	0.00
Total actual harvest content	17.20	117.06	18.48	170.46	780.40

Field 5

Field name: Field 5

10/30/2022: Oats, silage-soft dough

Crop: Oats, silage-soft dough Acres planted: 75 Plant date: 10/30/2022

Harvest date	Yield	Reporting basis	Density (lbs/cu ft)	Moisture (%)	N (mg/kg)	P (mg/kg)	K (mg/kg)	Salt (mg/kg)	TFS (%)
05/10/2023	972.00 *ton*	Dry-weight		71.4	22,850.00	2,600.00	28,900.00		11.20

	Yield (tons/acre)	Total N (lbs/acre)	Total P (lbs/acre)	Total K (lbs/acre)	Salt (lbs/acre)
Anticipated harvest content	16.00	160.00	25.60	132.80	0.00
Total actual harvest content	12.96	169.39	19.27	214.24	830.27

05/25/2023: Sudangrass, silage

Crop: Sudangrass, silage Acres planted: 75 Plant date: 05/25/2023

Harvest date	Yield	Reporting basis	Density (lbs/cu ft)	Moisture (%)	N (mg/kg)	P (mg/kg)	K (mg/kg)	Salt (mg/kg)	TFS (%)
08/06/2023	644.00 *ton*	Dry-weight		85.2	27,100.00	3,500.00	53,800.00		14.30
09/06/2023	644.00 *ton*	Dry-weight		78.5	17,600.00	2,500.00	26,600.00		11.00

	Yield (tons/acre)	Total N (lbs/acre)	Total P (lbs/acre)	Total K (lbs/acre)	Salt (lbs/acre)
Anticipated harvest content	8.00	88.00	13.60	96.00	0.00
Total actual harvest content	17.17	133.86	18.13	234.96	769.61

Field 6

Field name: Field 6

Field 6

10/20/2022: Oats, silage-soft dough

Crop: Oats, silage-soft dough Acres planted: 80 Plant date: 10/20/2022

Harvest date	Yield	Reporting basis	Density (lbs/cu ft)	Moisture (%)	N (mg/kg)	P (mg/kg)	K (mg/kg)	Salt (mg/kg)	TFS (%)
05/10/2023	1,112.00 *ton*	Dry-weight		66.7	20,900.00	3,000.00	23,500.00		9.00

	Yield (tons/acre)	Total N (lbs/acre)	Total P (lbs/acre)	Total K (lbs/acre)	Salt (lbs/acre)
Anticipated harvest content	16.00	160.00	25.60	132.80	0.00
Total actual harvest content	13.90	193.48	27.77	217.55	833.17

06/10/2023: Corn, silage

Crop: Corn, silage Acres planted: 80 Plant date: 06/10/2023

Harvest date	Yield	Reporting basis	Density (lbs/cu ft)	Moisture (%)	N (mg/kg)	P (mg/kg)	K (mg/kg)	Salt (mg/kg)	TFS (%)
09/06/2023	2,160.00 *ton*	Dry-weight		66.6	13,400.00	2,400.00	14,900.00		7.10

	Yield (tons/acre)	Total N (lbs/acre)	Total P (lbs/acre)	Total K (lbs/acre)	Salt (lbs/acre)
Anticipated harvest content	30.00	240.00	45.00	198.00	0.00
Total actual harvest content	27.00	241.68	43.29	268.74	1,280.56

Field 7

Field name: Field 7

10/22/2022: Oats, silage-soft dough

Crop: Oats, silage-soft dough Acres planted: 80 Plant date: 10/22/2022

Harvest date	Yield	Reporting basis	Density (lbs/cu ft)	Moisture (%)	N (mg/kg)	P (mg/kg)	K (mg/kg)	Salt (mg/kg)	TFS (%)
05/10/2023	1,112.00 *ton*	Dry-weight		76.8	23,200.00	3,200.00	31,100.00		11.50

	Yield (tons/acre)	Total N (lbs/acre)	Total P (lbs/acre)	Total K (lbs/acre)	Salt (lbs/acre)
Anticipated harvest content	16.00	160.00	25.60	132.80	0.00
Total actual harvest content	13.90	149.63	20.64	200.58	741.70

Field 7

05/28/2023: Sudangrass, silage

Crop: Sudangrass, silage Acres planted: 80 Plant date: 05/28/2023

Harvest date	Yield	Reporting basis	Density (lbs/cu ft)	Moisture (%)	N (mg/kg)	P (mg/kg)	K (mg/kg)	Salt (mg/kg)	TFS (%)
09/06/2023	1,360.00 *ton*	Dry-weight		78.9	20,400.00	2,400.00	23,100.00		11.00

	Yield (tons/acre)	Total N (lbs/acre)	Total P (lbs/acre)	Total K (lbs/acre)	Salt (lbs/acre)
Anticipated harvest content	8.00	88.00	13.60	96.00	0.00
Total actual harvest content	17.00	146.35	17.22	165.72	789.14

Field 8

Field name: Field 8

10/25/2022: Oats, silage-soft dough

Crop: Oats, silage-soft dough Acres planted: 80 Plant date: 10/25/2022

Harvest date	Yield	Reporting basis	Density (lbs/cu ft)	Moisture (%)	N (mg/kg)	P (mg/kg)	K (mg/kg)	Salt (mg/kg)	TFS (%)
05/10/2023	1,112.00 *ton*	Dry-weight		75.7	27,100.00	4,200.00	33,500.00		11.30

	Yield (tons/acre)	Total N (lbs/acre)	Total P (lbs/acre)	Total K (lbs/acre)	Salt (lbs/acre)
Anticipated harvest content	16.00	160.00	25.60	132.80	0.00
Total actual harvest content	13.90	183.07	28.37	226.31	763.36

06/12/2023: Corn, silage

Crop: Corn, silage Acres planted: 80 Plant date: 06/12/2023

Harvest date	Yield	Reporting basis	Density (lbs/cu ft)	Moisture (%)	N (mg/kg)	P (mg/kg)	K (mg/kg)	Salt (mg/kg)	TFS (%)
09/06/2023	2,096.00 *ton*	Dry-weight		65.6	12,500.00	1,900.00	12,500.00		9.20

	Yield (tons/acre)	Total N (lbs/acre)	Total P (lbs/acre)	Total K (lbs/acre)	Salt (lbs/acre)
Anticipated harvest content	30.00	240.00	45.00	198.00	0.00
Total actual harvest content	26.20	225.32	34.25	225.32	1,658.36

Field 9

Field name: Field 9

10/27/2022: Oats, silage-soft dough

Crop: Oats, silage-soft dough Acres planted: 80 Plant date: 10/27/2022

Harvest date	Yield	Reporting basis	Density (lbs/cu ft)	Moisture (%)	N (mg/kg)	P (mg/kg)	K (mg/kg)	Salt (mg/kg)	TFS (%)
05/10/2023	1,112.00 *ton*	Dry-weight		73.2	19,600.00	3,100.00	30,600.00		10.50

	Yield (tons/acre)	Total N (lbs/acre)	Total P (lbs/acre)	Total K (lbs/acre)	Salt (lbs/acre)
Anticipated harvest content	16.00	160.00	25.60	132.80	0.00
Total actual harvest content	13.90	146.03	23.10	227.98	782.29

06/14/2023: Corn, silage

Crop: Corn, silage Acres planted: 80 Plant date: 06/14/2023

Harvest date	Yield	Reporting basis	Density (lbs/cu ft)	Moisture (%)	N (mg/kg)	P (mg/kg)	K (mg/kg)	Salt (mg/kg)	TFS (%)
09/06/2023	2,080.00 *ton*	Dry-weight		65.6	12,500.00	1,900.00	12,500.00		9.20

	Yield (tons/acre)	Total N (lbs/acre)	Total P (lbs/acre)	Total K (lbs/acre)	Salt (lbs/acre)
Anticipated harvest content	30.00	240.00	45.00	198.00	0.00
Total actual harvest content	26.00	223.60	33.99	223.60	1,645.70

NUTRIENT BUDGET

A. LAND APPLICATIONS

Field 2 - 10/16/2022: Oats, silage-soft dough

Field name: Field 2

Crop: Oats, silage-soft dough — Plant date: 10/16/2022

Application date	Application method	Precipitation 24 hours prior	Precipitation during application	Precipitation 24 hours following
11/01/2022	Surface (irrigation)	No precipitation	No precipitation	No precipitation

Source description	Material type	N (lbs/acre)	P (lbs/acre)	K (lbs/acre)	Salt (lbs/acre)	Amount
Fall 2022 Lagoon	Process wastewater	47.91	10.09	45.41	331.41	468,000.00 *gal*
Irrigation Well	Ground water	0.74	0.00	0.00	0.00	6,240,000.00 *gal*
Application event totals		48.66	10.09	45.41	331.41	

Application date	Application method	Precipitation 24 hours prior	Precipitation during application	Precipitation 24 hours following
02/26/2023	Surface (irrigation)	No precipitation	No precipitation	No precipitation

Source description	Material type	N (lbs/acre)	P (lbs/acre)	K (lbs/acre)	Salt (lbs/acre)	Amount
Lagoon	Process wastewater	54.00	15.87	82.01	456.94	702,000.00 *gal*
Irrigation Well	Ground water	0.69	0.00	0.00	0.00	5,760,000.00 *gal*
Application event totals		54.68	15.87	82.01	456.94	

Application date	Application method	Precipitation 24 hours prior	Precipitation during application	Precipitation 24 hours following
03/20/2023	Surface (irrigation)	No precipitation	No precipitation	No precipitation

Source description	Material type	N (lbs/acre)	P (lbs/acre)	K (lbs/acre)	Salt (lbs/acre)	Amount
Lagoon	Process wastewater	48.00	14.10	72.90	406.17	624,000.00 *gal*
Irrigation Well	Ground water	0.74	0.00	0.00	0.00	6,240,000.00 *gal*
Application event totals		48.74	14.10	72.90	406.17	

Field 2 - 05/13/2023: Sudangrass, silage

Field name: Field 2

Crop: Sudangrass, silage — Plant date: 05/13/2023

Application date	Application method	Precipitation 24 hours prior	Precipitation during application	Precipitation 24 hours following

Field 2 - 05/13/2023: Sudangrass, silage

Application date	Application method	Precipitation 24 hours prior	Precipitation during application	Precipitation 24 hours following
04/28/2023	Surface (irrigation)	No precipitation	No precipitation	No precipitation

Source description	Material type	N (lbs/acre)	P (lbs/acre)	K (lbs/acre)	Salt (lbs/acre)	Amount
Lagoon	Process wastewater	67.66	16.51	75.73	528.17	624,000.00 *gal*
Irrigation Well	Ground water	0.89	0.00	0.00	0.00	7,440,000.00 *gal*
Application event totals		68.55	16.51	75.73	528.17	

Application date	Application method	Precipitation 24 hours prior	Precipitation during application	Precipitation 24 hours following
06/02/2023	Surface (irrigation)	No precipitation	No precipitation	No precipitation

Source description	Material type	N (lbs/acre)	P (lbs/acre)	K (lbs/acre)	Salt (lbs/acre)	Amount
Irrigation Well	Ground water	0.83	0.00	0.00	0.00	6,960,000.00 *gal*
Application event totals		0.83	0.00	0.00	0.00	

Application date	Application method	Precipitation 24 hours prior	Precipitation during application	Precipitation 24 hours following
06/17/2023	Surface (irrigation)	No precipitation	No precipitation	No precipitation

Source description	Material type	N (lbs/acre)	P (lbs/acre)	K (lbs/acre)	Salt (lbs/acre)	Amount
Lagoon	Process wastewater	76.12	18.58	85.19	594.19	702,000.00 *gal*
Irrigation Well	Ground water	0.74	0.00	0.00	0.00	6,240,000.00 *gal*
Application event totals		76.87	18.58	85.19	594.19	

Application date	Application method	Precipitation 24 hours prior	Precipitation during application	Precipitation 24 hours following
07/08/2023	Surface (irrigation)	No precipitation	No precipitation	No precipitation

Source description	Material type	N (lbs/acre)	P (lbs/acre)	K (lbs/acre)	Salt (lbs/acre)	Amount
Irrigation Well	Ground water	0.74	0.00	0.00	0.00	6,240,000.00 *gal*
Application event totals		0.74	0.00	0.00	0.00	

Application date	Application method	Precipitation 24 hours prior	Precipitation during application	Precipitation 24 hours following
07/26/2023	Surface (irrigation)	No precipitation	No precipitation	No precipitation

Source description	Material type	N (lbs/acre)	P (lbs/acre)	K (lbs/acre)	Salt (lbs/acre)	Amount
Irrigation Well	Ground water	0.83	0.00	0.00	0.00	6,960,000.00 *gal*
Application event totals		0.83	0.00	0.00	0.00	

Application date	Application method	Precipitation 24 hours prior	Precipitation during application	Precipitation 24 hours following
08/14/2023	Surface (irrigation)	No precipitation	No precipitation	No precipitation

Source description	Material type	N (lbs/acre)	P (lbs/acre)	K (lbs/acre)	Salt (lbs/acre)	Amount
Irrigation Well	Ground water	0.69	0.00	0.00	0.00	5,760,000.00 *gal*
Application event totals		0.69	0.00	0.00	0.00	

Field 3 - 10/16/2022: Oats, silage-soft dough

Field name: Field 3

Crop: Oats, silage-soft dough

Plant date: 10/16/2022

Application date	Application method	Precipitation 24 hours prior	Precipitation during application	Precipitation 24 hours following
11/01/2022	Surface (irrigation)	No precipitation	No precipitation	No precipitation

Source description	Material type	N (lbs/acre)	P (lbs/acre)	K (lbs/acre)	Salt (lbs/acre)	Amount
Lagoon	Process wastewater	69.88	14.71	66.23	483.30	780,000.00 *gal*
Irrigation Well	Ground water	0.68	0.00	0.00	0.00	6,480,000.00 *gal*
Application event totals		70.55	14.71	66.23	483.30	

Application date	Application method	Precipitation 24 hours prior	Precipitation during application	Precipitation 24 hours following
02/26/2023	Surface (irrigation)	No precipitation	No precipitation	No precipitation

Source description	Material type	N (lbs/acre)	P (lbs/acre)	K (lbs/acre)	Salt (lbs/acre)	Amount
Lagoon	Process wastewater	63.00	18.51	95.68	533.10	936,000.00 *gal*
Irrigation Well	Ground water	0.63	0.00	0.00	0.00	6,000,000.00 *gal*
Application event totals		63.62	18.51	95.68	533.10	

Application date	Application method	Precipitation 24 hours prior	Precipitation during application	Precipitation 24 hours following
03/20/2023	Surface (irrigation)	No precipitation	No precipitation	No precipitation

Source description	Material type	N (lbs/acre)	P (lbs/acre)	K (lbs/acre)	Salt (lbs/acre)	Amount
Lagoon	Process wastewater	47.25	13.88	71.76	399.82	702,000.00 *gal*
Irrigation Well	Ground water	0.68	0.00	0.00	0.00	6,480,000.00 *gal*
Application event totals		47.92	13.88	71.76	399.82	

Field 3 - 05/20/2023: Sudangrass, silage

Field name: Field 3

Crop: Sudangrass, silage

Plant date: 05/20/2023

Application date	Application method	Precipitation 24 hours prior	Precipitation during application	Precipitation 24 hours following
04/28/2023	Surface (irrigation)	No precipitation	No precipitation	No precipitation

Source description	Material type	N (lbs/acre)	P (lbs/acre)	K (lbs/acre)	Salt (lbs/acre)	Amount
Irrigation Well	Ground water	0.80	0.00	0.00	0.00	7,680,000.00 *gal*
Application event totals		0.80	0.00	0.00	0.00	

Field 3 - 05/20/2023: Sudangrass, silage

Application date	Application method	Precipitation 24 hours prior	Precipitation during application	Precipitation 24 hours following
06/03/2023	Surface (irrigation)	No precipitation	No precipitation	No precipitation

Source description	Material type	N (lbs/acre)	P (lbs/acre)	K (lbs/acre)	Salt (lbs/acre)	Amount
Lagoon	Process wastewater	51.81	12.64	57.98	404.38	546,000.00 *gal*
Irrigation Well	Ground water	0.75	0.00	0.00	0.00	7,200,000.00 *gal*
Application event totals		52.56	12.64	57.98	404.38	

06/18/2023	Surface (irrigation)	No precipitation	No precipitation	No precipitation

Source description	Material type	N (lbs/acre)	P (lbs/acre)	K (lbs/acre)	Salt (lbs/acre)	Amount
Irrigation Well	Ground water	0.68	0.00	0.00	0.00	6,480,000.00 *gal*
Application event totals		0.68	0.00	0.00	0.00	

07/09/2023	Surface (irrigation)	No precipitation	No precipitation	No precipitation

Source description	Material type	N (lbs/acre)	P (lbs/acre)	K (lbs/acre)	Salt (lbs/acre)	Amount
Lagoon	Process wastewater	44.55	12.29	73.55	436.11	780,000.00 *gal*
Irrigation Well	Ground water	0.68	0.00	0.00	0.00	6,480,000.00 *gal*
Application event totals		45.23	12.29	73.55	436.11	

07/27/2023	Surface (irrigation)	No precipitation	No precipitation	No precipitation

Source description	Material type	N (lbs/acre)	P (lbs/acre)	K (lbs/acre)	Salt (lbs/acre)	Amount
Lagoon	Process wastewater	53.47	14.74	88.26	523.33	936,000.00 *gal*
Irrigation Well	Ground water	0.75	0.00	0.00	0.00	7,200,000.00 *gal*
Application event totals		54.22	14.74	88.26	523.33	

08/15/2023	Surface (irrigation)	No precipitation	No precipitation	No precipitation

Source description	Material type	N (lbs/acre)	P (lbs/acre)	K (lbs/acre)	Salt (lbs/acre)	Amount
Irrigation Well	Ground water	0.63	0.00	0.00	0.00	6,000,000.00 *gal*
Application event totals		0.63	0.00	0.00	0.00	

Field 5 - 10/30/2022: Oats, silage-soft dough

Field name: Field 5

Crop: Oats, silage-soft dough

Plant date: 10/30/2022

Field 5 - 10/30/2022: Oats, silage-soft dough

Application date	Application method	Precipitation 24 hours prior	Precipitation during application	Precipitation 24 hours following
11/03/2022	Surface (irrigation)	No precipitation	No precipitation	No precipitation

Source description	Material type	N (lbs/acre)	P (lbs/acre)	K (lbs/acre)	Salt (lbs/acre)	Amount
Irrigation Well	Ground water	13.03	0.00	0.00	0.00	9,840,000.00 *gal*
Application event totals		13.03	0.00	0.00	0.00	

02/28/2023	Surface (irrigation)	No precipitation	No precipitation	No precipitation

Source description	Material type	N (lbs/acre)	P (lbs/acre)	K (lbs/acre)	Salt (lbs/acre)	Amount
Lagoon	Process wastewater	89.59	26.33	136.08	758.18	2,496,000.00 *gal*
Irrigation Well	Ground water	12.71	0.00	0.00	0.00	9,600,000.00 *gal*
Application event totals		102.30	26.33	136.08	758.18	

03/22/2023	Surface (irrigation)	No precipitation	No precipitation	No precipitation

Source description	Material type	N (lbs/acre)	P (lbs/acre)	K (lbs/acre)	Salt (lbs/acre)	Amount
Lagoon	Process wastewater	100.79	29.62	153.09	852.95	2,808,000.00 *gal*
Irrigation Well	Ground water	15.25	0.00	0.00	0.00	11,520,000.00 *gal*
Application event totals		116.05	29.62	153.09	852.95	

Field 5 - 05/25/2023: Sudangrass, silage

Field name: Field 5

Crop: Sudangrass, silage

Plant date: 05/25/2023

Application date	Application method	Precipitation 24 hours prior	Precipitation during application	Precipitation 24 hours following
05/08/2023	Surface (irrigation)	No precipitation	No precipitation	No precipitation

Source description	Material type	N (lbs/acre)	P (lbs/acre)	K (lbs/acre)	Salt (lbs/acre)	Amount
Irrigation Well	Ground water	17.80	0.00	0.00	0.00	13,440,000.00 *gal*
Application event totals		17.80	0.00	0.00	0.00	

Field 5 - 05/25/2023: Sudangrass, silage

Application date	Application method	Precipitation 24 hours prior	Precipitation during application	Precipitation 24 hours following
06/09/2023	Surface (irrigation)	No precipitation	No precipitation	No precipitation

Source description	Material type	N (lbs/acre)	P (lbs/acre)	K (lbs/acre)	Salt (lbs/acre)	Amount
Irrigation Well	Ground water	17.32	0.00	0.00	0.00	13,080,000.00 *gal*
Application event totals		17.32	0.00	0.00	0.00	

Application date	Application method	Precipitation 24 hours prior	Precipitation during application	Precipitation 24 hours following
06/25/2023	Surface (irrigation)	No precipitation	No precipitation	No precipitation

Source description	Material type	N (lbs/acre)	P (lbs/acre)	K (lbs/acre)	Salt (lbs/acre)	Amount
Irrigation Well	Ground water	16.52	0.00	0.00	0.00	12,480,000.00 *gal*
Application event totals		16.52	0.00	0.00	0.00	

Application date	Application method	Precipitation 24 hours prior	Precipitation during application	Precipitation 24 hours following
07/16/2023	Surface (irrigation)	No precipitation	No precipitation	No precipitation

Source description	Material type	N (lbs/acre)	P (lbs/acre)	K (lbs/acre)	Salt (lbs/acre)	Amount
Irrigation Well	Ground water	19.07	0.00	0.00	0.00	14,400,000.00 *gal*
Application event totals		19.07	0.00	0.00	0.00	

Application date	Application method	Precipitation 24 hours prior	Precipitation during application	Precipitation 24 hours following
08/03/2023	Surface (irrigation)	No precipitation	No precipitation	No precipitation

Source description	Material type	N (lbs/acre)	P (lbs/acre)	K (lbs/acre)	Salt (lbs/acre)	Amount
Lagoon	Process wastewater	71.29	19.66	117.68	697.78	2,340,000.00 *gal*
Irrigation Well	Ground water	19.38	0.00	0.00	0.00	14,640,000.00 *gal*
Application event totals		90.67	19.66	117.68	697.78	

Application date	Application method	Precipitation 24 hours prior	Precipitation during application	Precipitation 24 hours following
08/24/2023	Surface (irrigation)	No precipitation	No precipitation	No precipitation

Source description	Material type	N (lbs/acre)	P (lbs/acre)	K (lbs/acre)	Salt (lbs/acre)	Amount
Irrigation Well	Ground water	16.21	0.00	0.00	0.00	12,240,000.00 *gal*
Application event totals		16.21	0.00	0.00	0.00	

Field 6 - 10/20/2022: Oats, silage-soft dough

Field name: Field 6

Crop: Oats, silage-soft dough

Plant date: 10/20/2022

Application date	Application method	Precipitation 24 hours prior	Precipitation during application	Precipitation 24 hours following

Field 6 - 10/20/2022: Oats, silage-soft dough

Application date	Application method	Precipitation 24 hours prior	Precipitation during application	Precipitation 24 hours following
11/03/2022	Surface (irrigation)	No precipitation	No precipitation	No precipitation

Source description	Material type	N (lbs/acre)	P (lbs/acre)	K (lbs/acre)	Salt (lbs/acre)	Amount
Lagoon	Process wastewater	55.90	11.77	52.98	386.64	1,248,000.00 *gal*
Irrigation Well	Ground water	46.44	0.00	0.00	0.00	14,940,000.00 *gal*
Application event totals		102.34	11.77	52.98	386.64	

Application date	Application method	Precipitation 24 hours prior	Precipitation during application	Precipitation 24 hours following
02/28/2023	Surface (irrigation)	No precipitation	No precipitation	No precipitation

Source description	Material type	N (lbs/acre)	P (lbs/acre)	K (lbs/acre)	Salt (lbs/acre)	Amount
Lagoon	Process wastewater	68.24	20.05	103.66	577.52	2,028,000.00 *gal*
Irrigation Well	Ground water	41.41	0.00	0.00	0.00	13,320,000.00 *gal*
Application event totals		109.65	20.05	103.66	577.52	

Application date	Application method	Precipitation 24 hours prior	Precipitation during application	Precipitation 24 hours following
03/22/2023	Surface (irrigation)	No precipitation	No precipitation	No precipitation

Source description	Material type	N (lbs/acre)	P (lbs/acre)	K (lbs/acre)	Salt (lbs/acre)	Amount
Irrigation Well	Ground water	42.52	0.00	0.00	0.00	13,680,000.00 *gal*
Application event totals		42.52	0.00	0.00	0.00	

Field 6 - 06/10/2023: Corn, silage

Field name: Field 6

Crop: Corn, silage

Plant date: 06/10/2023

Application date	Application method	Precipitation 24 hours prior	Precipitation during application	Precipitation 24 hours following
05/20/2023	Broadcast/incorporate	No precipitation	No precipitation	No precipitation

Source description	Material type	N (lbs/acre)	P (lbs/acre)	K (lbs/acre)	Salt (lbs/acre)	Amount
Manure	Corral solids	140.54	50.69	274.18	19,330.56	1,600.00 *ton*
Application event totals		140.54	50.69	274.18	19,330.56	

Field 6 - 06/10/2023: Corn, silage

Application date	Application method	Precipitation 24 hours prior	Precipitation during application	Precipitation 24 hours following
05/31/2023	Surface (irrigation)	No precipitation	No precipitation	No precipitation

Source description	Material type	N (lbs/acre)	P (lbs/acre)	K (lbs/acre)	Salt (lbs/acre)	Amount
Irrigation Well	Ground water	2.44	0.00	0.00	0.00	16,740,000.00 *gal*
Application event totals		2.44	0.00	0.00	0.00	

Application date	Application method	Precipitation 24 hours prior	Precipitation during application	Precipitation 24 hours following
07/04/2023	Surface (irrigation)	No precipitation	No precipitation	No precipitation

Source description	Material type	N (lbs/acre)	P (lbs/acre)	K (lbs/acre)	Salt (lbs/acre)	Amount
Irrigation Well	Ground water	2.31	0.00	0.00	0.00	15,840,000.00 *gal*
Application event totals		2.31	0.00	0.00	0.00	

Application date	Application method	Precipitation 24 hours prior	Precipitation during application	Precipitation 24 hours following
07/19/2023	Surface (irrigation)	No precipitation	No precipitation	No precipitation

Source description	Material type	N (lbs/acre)	P (lbs/acre)	K (lbs/acre)	Salt (lbs/acre)	Amount
Lagoon	Process wastewater	75.74	20.89	125.04	741.39	2,652,000.00 *gal*
Irrigation Well	Ground water	2.21	0.00	0.00	0.00	15,120,000.00 *gal*
Application event totals		77.95	20.89	125.04	741.39	

Application date	Application method	Precipitation 24 hours prior	Precipitation during application	Precipitation 24 hours following
08/02/2023	Surface (irrigation)	No precipitation	No precipitation	No precipitation

Source description	Material type	N (lbs/acre)	P (lbs/acre)	K (lbs/acre)	Salt (lbs/acre)	Amount
Lagoon	Process wastewater	71.29	19.66	117.68	697.78	2,496,000.00 *gal*
Irrigation Well	Ground water	2.52	0.00	0.00	0.00	17,280,000.00 *gal*
Application event totals		73.81	19.66	117.68	697.78	

Application date	Application method	Precipitation 24 hours prior	Precipitation during application	Precipitation 24 hours following
08/17/2023	Surface (irrigation)	No precipitation	No precipitation	No precipitation

Source description	Material type	N (lbs/acre)	P (lbs/acre)	K (lbs/acre)	Salt (lbs/acre)	Amount
Irrigation Well	Ground water	2.52	0.00	0.00	0.00	17,280,000.00 *gal*
Application event totals		2.52	0.00	0.00	0.00	

Field 7 - 10/22/2022: Oats, silage-soft dough

Field name: Field 7

Crop: Oats, silage-soft dough

Plant date: 10/22/2022

Field 7 - 10/22/2022: Oats, silage-soft dough

Application date	Application method	Precipitation 24 hours prior	Precipitation during application	Precipitation 24 hours following
11/03/2022	Surface (irrigation)	No precipitation	No precipitation	No precipitation

Source description	Material type	N (lbs/acre)	P (lbs/acre)	K (lbs/acre)	Salt (lbs/acre)	Amount
Irrigation Well	Ground water	2.18	0.00	0.00	0.00	14,940,000.00 *gal*
Application event totals		2.18	0.00	0.00	0.00	

Application date	Application method	Precipitation 24 hours prior	Precipitation during application	Precipitation 24 hours following
02/28/2023	Surface (irrigation)	No precipitation	No precipitation	No precipitation

Source description	Material type	N (lbs/acre)	P (lbs/acre)	K (lbs/acre)	Salt (lbs/acre)	Amount
Lagoon	Process wastewater	83.99	24.68	127.58	710.79	2,496,000.00 *gal*
Irrigation Well	Ground water	1.95	0.00	0.00	0.00	13,320,000.00 *gal*
Application event totals		85.94	24.68	127.58	710.79	

Application date	Application method	Precipitation 24 hours prior	Precipitation during application	Precipitation 24 hours following
03/22/2023	Surface (irrigation)	No precipitation	No precipitation	No precipitation

Source description	Material type	N (lbs/acre)	P (lbs/acre)	K (lbs/acre)	Salt (lbs/acre)	Amount
Lagoon	Process wastewater	94.49	27.77	143.53	799.64	2,808,000.00 *gal*
Irrigation Well	Ground water	2.00	0.00	0.00	0.00	13,680,000.00 *gal*
Application event totals		96.49	27.77	143.53	799.64	

Field 7 - 05/28/2023: Sudangrass, silage

Field name: Field 7

Crop: Sudangrass, silage

Plant date: 05/28/2023

Application date	Application method	Precipitation 24 hours prior	Precipitation during application	Precipitation 24 hours following
05/08/2023	Surface (irrigation)	No precipitation	No precipitation	No precipitation

Source description	Material type	N (lbs/acre)	P (lbs/acre)	K (lbs/acre)	Salt (lbs/acre)	Amount
Lagoon	Process wastewater	103.61	25.29	115.96	808.76	2,184,000.00 *gal*
Irrigation Well	Ground water	2.08	0.00	0.00	0.00	14,220,000.00 *gal*
Application event totals		105.69	25.29	115.96	808.76	

Field 7 - 05/28/2023: Sudangrass, silage

Application date	Application method	Precipitation 24 hours prior	Precipitation during application	Precipitation 24 hours following
06/09/2023	Surface (irrigation)	No precipitation	No precipitation	No precipitation

Source description	Material type	N (lbs/acre)	P (lbs/acre)	K (lbs/acre)	Salt (lbs/acre)	Amount
Irrigation Well	Ground water	1.95	0.00	0.00	0.00	13,320,000.00 *gal*
Application event totals		1.95	0.00	0.00	0.00	

Application date	Application method	Precipitation 24 hours prior	Precipitation during application	Precipitation 24 hours following
06/25/2023	Surface (irrigation)	No precipitation	No precipitation	No precipitation

Source description	Material type	N (lbs/acre)	P (lbs/acre)	K (lbs/acre)	Salt (lbs/acre)	Amount
Irrigation Well	Ground water	2.21	0.00	0.00	0.00	15,120,000.00 *gal*
Application event totals		2.21	0.00	0.00	0.00	

Application date	Application method	Precipitation 24 hours prior	Precipitation during application	Precipitation 24 hours following
07/16/2023	Surface (irrigation)	No precipitation	No precipitation	No precipitation

Source description	Material type	N (lbs/acre)	P (lbs/acre)	K (lbs/acre)	Salt (lbs/acre)	Amount
Irrigation Well	Ground water	2.18	0.00	0.00	0.00	14,940,000.00 *gal*
Application event totals		2.18	0.00	0.00	0.00	

Application date	Application method	Precipitation 24 hours prior	Precipitation during application	Precipitation 24 hours following
08/03/2023	Surface (irrigation)	No precipitation	No precipitation	No precipitation

Source description	Material type	N (lbs/acre)	P (lbs/acre)	K (lbs/acre)	Salt (lbs/acre)	Amount
Lagoon	Process wastewater	80.20	22.11	132.40	785.00	2,808,000.00 *gal*
Irrigation Well	Ground water	2.23	0.00	0.00	0.00	15,300,000.00 *gal*
Application event totals		82.43	22.11	132.40	785.00	

Application date	Application method	Precipitation 24 hours prior	Precipitation during application	Precipitation 24 hours following
08/24/2023	Surface (irrigation)	No precipitation	No precipitation	No precipitation

Source description	Material type	N (lbs/acre)	P (lbs/acre)	K (lbs/acre)	Salt (lbs/acre)	Amount
Irrigation Well	Ground water	2.29	0.00	0.00	0.00	15,660,000.00 *gal*
Application event totals		2.29	0.00	0.00	0.00	

Field 8 - 10/25/2022: Oats, silage-soft dough

Field name: Field 8

Crop: Oats, silage-soft dough

Plant date: 10/25/2022

Application date	Application method	Precipitation 24 hours prior	Precipitation during application	Precipitation 24 hours following

Field 8 - 10/25/2022: Oats, silage-soft dough

Application date	Application method	Precipitation 24 hours prior	Precipitation during application	Precipitation 24 hours following
10/18/2022	Broadcast/incorporate	No precipitation	No precipitation	No precipitation

Source description	Material type	N (lbs/acre)	P (lbs/acre)	K (lbs/acre)	Salt (lbs/acre)	Amount
Manure	Corral solids	131.62	41.27	164.64	0.00	240.00 *ton*
Application event totals		131.62	41.27	164.64	0.00	

Application date	Application method	Precipitation 24 hours prior	Precipitation during application	Precipitation 24 hours following
11/03/2022	Surface (irrigation)	No precipitation	No precipitation	No precipitation

Source description	Material type	N (lbs/acre)	P (lbs/acre)	K (lbs/acre)	Salt (lbs/acre)	Amount
Irrigation Well	Ground water	11.84	0.00	0.00	0.00	14,940,000.00 *gal*
Application event totals		11.84	0.00	0.00	0.00	

Application date	Application method	Precipitation 24 hours prior	Precipitation during application	Precipitation 24 hours following
02/28/2023	Surface (irrigation)	No precipitation	No precipitation	No precipitation

Source description	Material type	N (lbs/acre)	P (lbs/acre)	K (lbs/acre)	Salt (lbs/acre)	Amount
Lagoon	Process wastewater	78.74	23.14	119.60	666.37	2,340,000.00 *gal*
Irrigation Well	Ground water	10.56	0.00	0.00	0.00	13,320,000.00 *gal*
Application event totals		89.30	23.14	119.60	666.37	

Application date	Application method	Precipitation 24 hours prior	Precipitation during application	Precipitation 24 hours following
03/22/2023	Surface (irrigation)	No precipitation	No precipitation	No precipitation

Source description	Material type	N (lbs/acre)	P (lbs/acre)	K (lbs/acre)	Salt (lbs/acre)	Amount
Irrigation Well	Ground water	10.85	0.00	0.00	0.00	13,680,000.00 *gal*
Application event totals		10.85	0.00	0.00	0.00	

Field 8 - 06/12/2023: Corn, silage

Field name: Field 8

Crop: Corn, silage

Plant date: 06/12/2023

Application date	Application method	Precipitation 24 hours prior	Precipitation during application	Precipitation 24 hours following

Field 8 - 06/12/2023: Corn, silage

Application date	Application method	Precipitation 24 hours prior	Precipitation during application	Precipitation 24 hours following
05/31/2023	Surface (irrigation)	No precipitation	No precipitation	No precipitation

Source description	Material type	N (lbs/acre)	P (lbs/acre)	K (lbs/acre)	Salt (lbs/acre)	Amount
Lagoon	Process wastewater	118.41	28.90	132.53	924.29	2,496,000.00 *gal*
Irrigation Well	Ground water	13.27	0.00	0.00	0.00	16,740,000.00 *gal*
Application event totals		131.68	28.90	132.53	924.29	

Application date	Application method	Precipitation 24 hours prior	Precipitation during application	Precipitation 24 hours following
07/04/2023	Surface (irrigation)	No precipitation	No precipitation	No precipitation

Source description	Material type	N (lbs/acre)	P (lbs/acre)	K (lbs/acre)	Salt (lbs/acre)	Amount
Lagoon	Process wastewater	57.92	15.97	95.62	566.94	2,028,000.00 *gal*
Irrigation Well	Ground water	12.56	0.00	0.00	0.00	15,840,000.00 *gal*
Application event totals		70.48	15.97	95.62	566.94	

Application date	Application method	Precipitation 24 hours prior	Precipitation during application	Precipitation 24 hours following
07/19/2023	Surface (irrigation)	No precipitation	No precipitation	No precipitation

Source description	Material type	N (lbs/acre)	P (lbs/acre)	K (lbs/acre)	Salt (lbs/acre)	Amount
Lagoon	Process wastewater	57.92	15.97	95.62	566.94	2,028,000.00 *gal*
Irrigation Well	Ground water	11.99	0.00	0.00	0.00	15,120,000.00 *gal*
Application event totals		69.91	15.97	95.62	566.94	

Application date	Application method	Precipitation 24 hours prior	Precipitation during application	Precipitation 24 hours following
08/02/2023	Surface (irrigation)	No precipitation	No precipitation	No precipitation

Source description	Material type	N (lbs/acre)	P (lbs/acre)	K (lbs/acre)	Salt (lbs/acre)	Amount
Irrigation Well	Ground water	13.70	0.00	0.00	0.00	17,280,000.00 *gal*
Application event totals		13.70	0.00	0.00	0.00	

Application date	Application method	Precipitation 24 hours prior	Precipitation during application	Precipitation 24 hours following
08/17/2023	Surface (irrigation)	No precipitation	No precipitation	No precipitation

Source description	Material type	N (lbs/acre)	P (lbs/acre)	K (lbs/acre)	Salt (lbs/acre)	Amount
Irrigation Well	Ground water	13.70	0.00	0.00	0.00	17,280,000.00 *gal*
Application event totals		13.70	0.00	0.00	0.00	

Field 9 - 10/27/2022: Oats, silage-soft dough

Field name: Field 9

Crop: Oats, silage-soft dough

Plant date: 10/27/2022

Field 9 - 10/27/2022: Oats, silage-soft dough

Application date	Application method	Precipitation 24 hours prior	Precipitation during application	Precipitation 24 hours following
11/03/2022	Surface (irrigation)	No precipitation	No precipitation	No precipitation

Source description	Material type	N (lbs/acre)	P (lbs/acre)	K (lbs/acre)	Salt (lbs/acre)	Amount
Irrigation Well	Ground water	11.53	0.00	0.00	0.00	14,940,000.00 *gal*
Application event totals		11.53	0.00	0.00	0.00	

Application date	Application method	Precipitation 24 hours prior	Precipitation during application	Precipitation 24 hours following
02/28/2023	Surface (irrigation)	No precipitation	No precipitation	No precipitation

Source description	Material type	N (lbs/acre)	P (lbs/acre)	K (lbs/acre)	Salt (lbs/acre)	Amount
Lagoon	Process wastewater	94.49	27.77	143.53	799.64	2,808,000.00 *gal*
Irrigation Well	Ground water	10.28	0.00	0.00	0.00	13,320,000.00 *gal*
Application event totals		104.77	27.77	143.53	799.64	

Application date	Application method	Precipitation 24 hours prior	Precipitation during application	Precipitation 24 hours following
03/22/2023	Surface (irrigation)	No precipitation	No precipitation	No precipitation

Source description	Material type	N (lbs/acre)	P (lbs/acre)	K (lbs/acre)	Salt (lbs/acre)	Amount
Lagoon	Process wastewater	68.24	20.05	103.66	577.52	2,028,000.00 *gal*
Irrigation Well	Ground water	10.56	0.00	0.00	0.00	13,680,000.00 *gal*
Application event totals		78.80	20.05	103.66	577.52	

Field 9 - 06/14/2023: Corn, silage

Field name: Field 9

Crop: Corn, silage

Plant date: 06/14/2023

Application date	Application method	Precipitation 24 hours prior	Precipitation during application	Precipitation 24 hours following
05/20/2023	Broadcast/incorporate	No precipitation	No precipitation	No precipitation

Source description	Material type	N (lbs/acre)	P (lbs/acre)	K (lbs/acre)	Salt (lbs/acre)	Amount
Manure	Corral solids	154.60	55.76	301.59	21,263.62	1,760.00 *ton*
Application event totals		154.60	55.76	301.59	21,263.62	

Field 9 - 06/14/2023: Corn, silage

Application date	Application method	Precipitation 24 hours prior	Precipitation during application	Precipitation 24 hours following
05/31/2023	Surface (irrigation)	No precipitation	No precipitation	No precipitation

Source description	Material type	N (lbs/acre)	P (lbs/acre)	K (lbs/acre)	Salt (lbs/acre)	Amount
Irrigation Well	Ground water	12.92	0.00	0.00	0.00	16,740,000.00 *gal*
Application event totals		12.92	0.00	0.00	0.00	

07/04/2023	Surface (irrigation)	No precipitation	No precipitation	No precipitation

Source description	Material type	N (lbs/acre)	P (lbs/acre)	K (lbs/acre)	Salt (lbs/acre)	Amount
Irrigation Well	Ground water	12.23	0.00	0.00	0.00	15,840,000.00 *gal*
Application event totals		12.23	0.00	0.00	0.00	

07/19/2023	Surface (irrigation)	No precipitation	No precipitation	No precipitation

Source description	Material type	N (lbs/acre)	P (lbs/acre)	K (lbs/acre)	Salt (lbs/acre)	Amount
Lagoon	Process wastewater	80.20	22.11	132.40	785.00	2,808,000.00 *gal*
Irrigation Well	Ground water	11.67	0.00	0.00	0.00	15,120,000.00 *gal*
Application event totals		91.87	22.11	132.40	785.00	

08/02/2023	Surface (irrigation)	No precipitation	No precipitation	No precipitation

Source description	Material type	N (lbs/acre)	P (lbs/acre)	K (lbs/acre)	Salt (lbs/acre)	Amount
Irrigation Well	Ground water	13.34	0.00	0.00	0.00	17,280,000.00 *gal*
Application event totals		13.34	0.00	0.00	0.00	

08/17/2023	Surface (irrigation)	No precipitation	No precipitation	No precipitation

Source description	Material type	N (lbs/acre)	P (lbs/acre)	K (lbs/acre)	Salt (lbs/acre)	Amount
Irrigation Well	Ground water	13.34	0.00	0.00	0.00	17,280,000.00 *gal*
Application event totals		13.34	0.00	0.00	0.00	

B. NUTRIENT BUDGET

Field 2 - 10/16/2022: Oats, silage-soft dough

Field name: Field 2 Crop: Oats, silage-soft dough Plant date: 10/16/2022

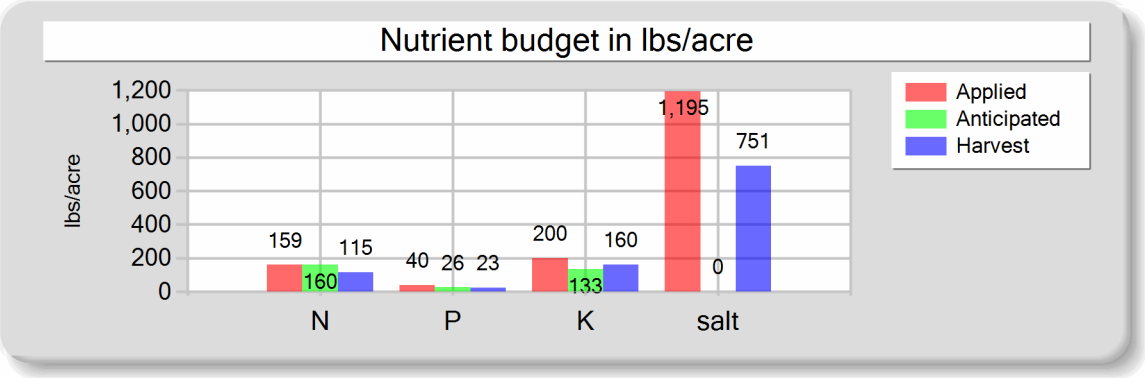

	Total N (lbs/acre)	Total P (lbs/acre)	Total K (lbs/acre)	Total salt (lbs/acre)
Existing soil nutrient content	0.00	0.00	0.00	0.00
Plowdown credit	0.00	0.00	0.00	0.00
Commercial fertilizer / Other	0.00	0.00	0.00	0.00
Dry manure	0.00	0.00	0.00	0.00
Process wastewater	149.91	40.06	200.33	1,194.51
Fresh water	2.17	0.00	0.00	0.00
Atmospheric deposition	7.00	0.00	0.00	0.00
Total nutrients applied	159.08	40.06	200.33	1,194.51
Anticipated crop nutrient removal	160.00	25.60	132.80	0.00
Actual crop nutrient removal	115.04	22.73	159.82	750.87
Nutrient balance	44.04	17.33	40.51	443.64
Applied to removed ratio	1.38	1.76	1.25	1.59

Fresh water applied	
18,240,000.00	*gallons*
671.72	*acre-inches*
19.19	*inches/acre*

Process wastewater applied	
1,794,000.00	*gallons*
66.07	*acre-inches*
1.89	*inches/acre*

Total harvests for the crop	
1	*harvests*

Field 2 - 05/13/2023: Sudangrass, silage

Field name: Field 2 Crop: Sudangrass, silage Plant date: 05/13/2023

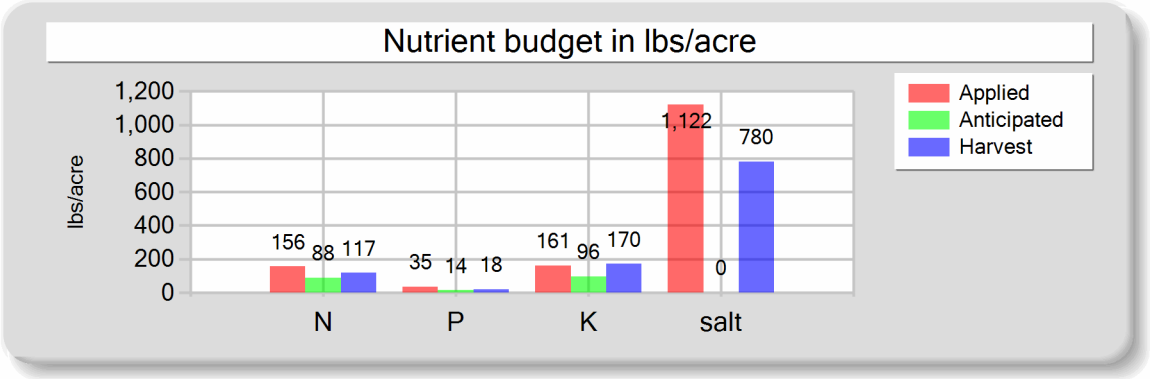

	Total N (lbs/acre)	Total P (lbs/acre)	Total K (lbs/acre)	Total salt (lbs/acre)
Existing soil nutrient content	0.00	0.00	0.00	0.00
Plowdown credit	0.00	0.00	0.00	0.00
Commercial fertilizer / Other	0.00	0.00	0.00	0.00
Dry manure	0.00	0.00	0.00	0.00
Process wastewater	143.79	35.09	160.92	1,122.35
Fresh water	4.72	0.00	0.00	0.00
Atmospheric deposition	7.00	0.00	0.00	0.00
Total nutrients applied	155.51	35.09	160.92	1,122.35
Anticipated crop nutrient removal	88.00	13.60	96.00	0.00
Actual crop nutrient removal	117.06	18.48	170.46	780.40
Nutrient balance	38.45	16.61	-9.53	341.96
Applied to removed ratio	1.33	1.90	0.94	1.44

Fresh water applied	
39,600,000.00	*gallons*
1,458.33	*acre-inches*
41.67	*inches/acre*

Process wastewater applied	
1,326,000.00	*gallons*
48.83	*acre-inches*
1.40	*inches/acre*

Total harvests for the crop	
1	*harvests*

Field 3 - 10/16/2022: Oats, silage-soft dough

Field name: Field 3 Crop: Oats, silage-soft dough Plant date: 10/16/2022

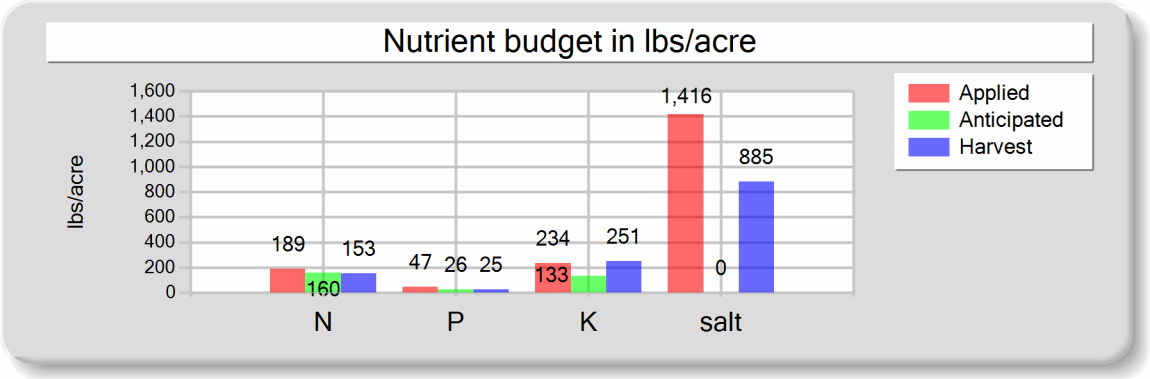

	Total N (lbs/acre)	Total P (lbs/acre)	Total K (lbs/acre)	Total salt (lbs/acre)
Existing soil nutrient content	0.00	0.00	0.00	0.00
Plowdown credit	0.00	0.00	0.00	0.00
Commercial fertilizer / Other	0.00	0.00	0.00	0.00
Dry manure	0.00	0.00	0.00	0.00
Process wastewater	180.12	47.11	233.68	1,416.22
Fresh water	1.98	0.00	0.00	0.00
Atmospheric deposition	7.00	0.00	0.00	0.00
Total nutrients applied	189.09	47.11	233.68	1,416.22
Anticipated crop nutrient removal	160.00	25.60	132.80	0.00
Actual crop nutrient removal	152.98	25.19	251.28	884.71
Nutrient balance	36.11	21.92	-17.60	531.51
Applied to removed ratio	1.24	1.87	0.93	1.60

Fresh water applied	
18,960,000.00	*gallons*
698.23	*acre-inches*
17.46	*inches/acre*

Process wastewater applied	
2,418,000.00	*gallons*
89.05	*acre-inches*
2.23	*inches/acre*

Total harvests for the crop	
1	*harvests*

Field 3 - 05/20/2023: Sudangrass, silage

Field name: Field 3 Crop: Sudangrass, silage Plant date: 05/20/2023

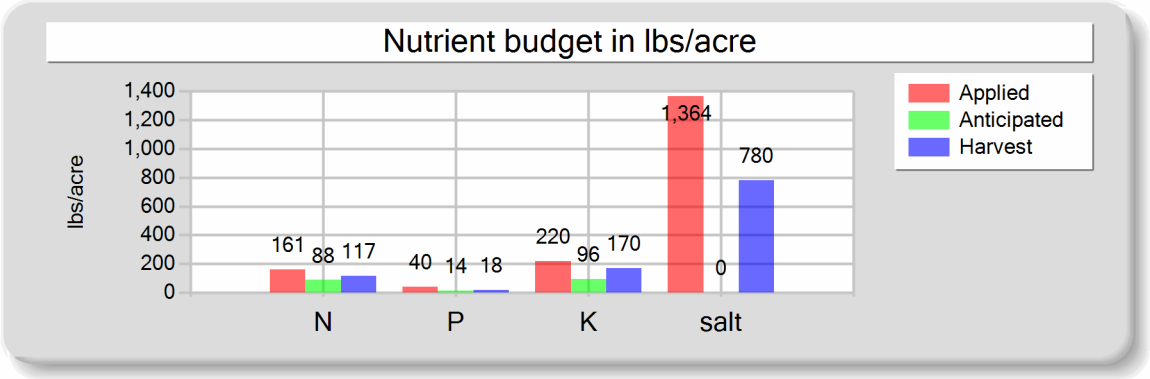

	Total N (lbs/acre)	Total P (lbs/acre)	Total K (lbs/acre)	Total salt (lbs/acre)
Existing soil nutrient content	0.00	0.00	0.00	0.00
Plowdown credit	0.00	0.00	0.00	0.00
Commercial fertilizer / Other	0.00	0.00	0.00	0.00
Dry manure	0.00	0.00	0.00	0.00
Process wastewater	149.83	39.67	219.80	1,363.82
Fresh water	4.28	0.00	0.00	0.00
Atmospheric deposition	7.00	0.00	0.00	0.00
Total nutrients applied	161.11	39.67	219.80	1,363.82
Anticipated crop nutrient removal	88.00	13.60	96.00	0.00
Actual crop nutrient removal	117.06	18.48	170.46	780.40
Nutrient balance	44.05	21.19	49.34	583.42
Applied to removed ratio	1.38	2.15	1.29	1.75

Fresh water applied	
41,040,000.00	*gallons*
1,511.36	*acre-inches*
37.78	*inches/acre*

Process wastewater applied	
2,262,000.00	*gallons*
83.30	*acre-inches*
2.08	*inches/acre*

Total harvests for the crop	
1	*harvests*

Field 5 - 10/30/2022: Oats, silage-soft dough

Field name: Field 5 Crop: Oats, silage-soft dough Plant date: 10/30/2022

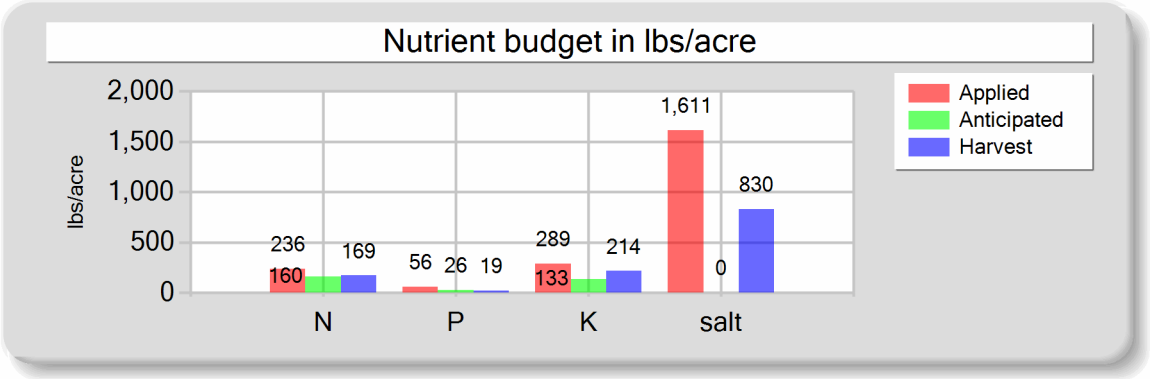

	Total N (lbs/acre)	Total P (lbs/acre)	Total K (lbs/acre)	Total salt (lbs/acre)
Existing soil nutrient content	0.00	0.00	0.00	0.00
Plowdown credit	0.00	0.00	0.00	0.00
Commercial fertilizer / Other	0.00	0.00	0.00	0.00
Dry manure	0.00	0.00	0.00	0.00
Process wastewater	190.39	55.95	289.18	1,611.13
Fresh water	40.99	0.00	0.00	0.00
Atmospheric deposition	4.67	0.00	0.00	0.00
Total nutrients applied	236.05	55.95	289.18	1,611.13
Anticipated crop nutrient removal	160.00	25.60	132.80	0.00
Actual crop nutrient removal	169.39	19.27	214.24	830.27
Nutrient balance	66.66	36.67	74.94	780.86
Applied to removed ratio	1.39	2.90	1.35	1.94

Fresh water applied	
30,960,000.00	*gallons*
1,140.15	*acre-inches*
15.20	*inches/acre*

Process wastewater applied	
5,304,000.00	*gallons*
195.33	*acre-inches*
2.60	*inches/acre*

Total harvests for the crop	
1	*harvests*

Field 5 - 05/25/2023: Sudangrass, silage

Field name: Field 5 Crop: Sudangrass, silage Plant date: 05/25/2023

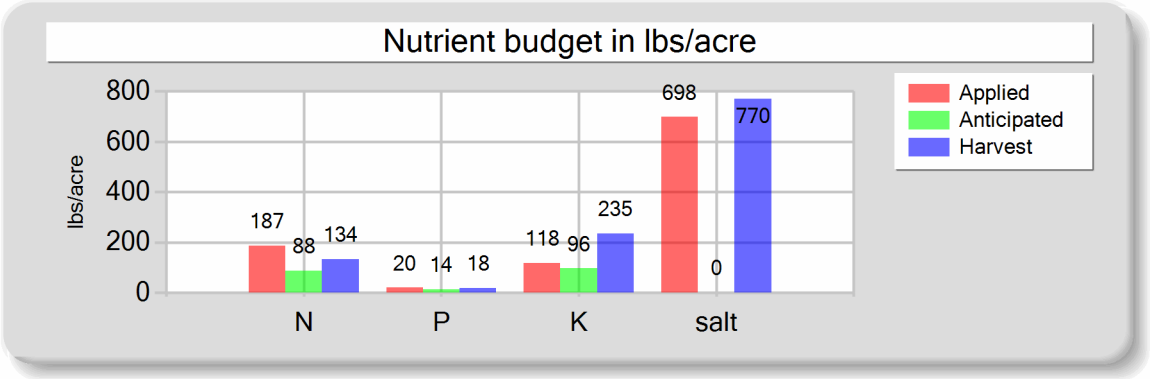

	Total N (lbs/acre)	Total P (lbs/acre)	Total K (lbs/acre)	Total salt (lbs/acre)
Existing soil nutrient content	0.00	0.00	0.00	0.00
Plowdown credit	0.00	0.00	0.00	0.00
Commercial fertilizer / Other	0.00	0.00	0.00	0.00
Dry manure	0.00	0.00	0.00	0.00
Process wastewater	71.29	19.66	117.68	697.78
Fresh water	106.30	0.00	0.00	0.00
Atmospheric deposition	9.33	0.00	0.00	0.00
Total nutrients applied	186.92	19.66	117.68	697.78
Anticipated crop nutrient removal	88.00	13.60	96.00	0.00
Actual crop nutrient removal	133.86	18.13	234.96	769.61
Nutrient balance	53.05	1.53	-117.27	-71.83
Applied to removed ratio	1.40	1.08	0.50	0.91

Fresh water applied	
80,280,000.00	*gallons*
2,956.44	*acre-inches*
39.42	*inches/acre*

Process wastewater applied	
2,340,000.00	*gallons*
86.17	*acre-inches*
1.15	*inches/acre*

Total harvests for the crop	
2	*harvests*

Field 6 - 10/20/2022: Oats, silage-soft dough

Field name: Field 6 Crop: Oats, silage-soft dough Plant date: 10/20/2022

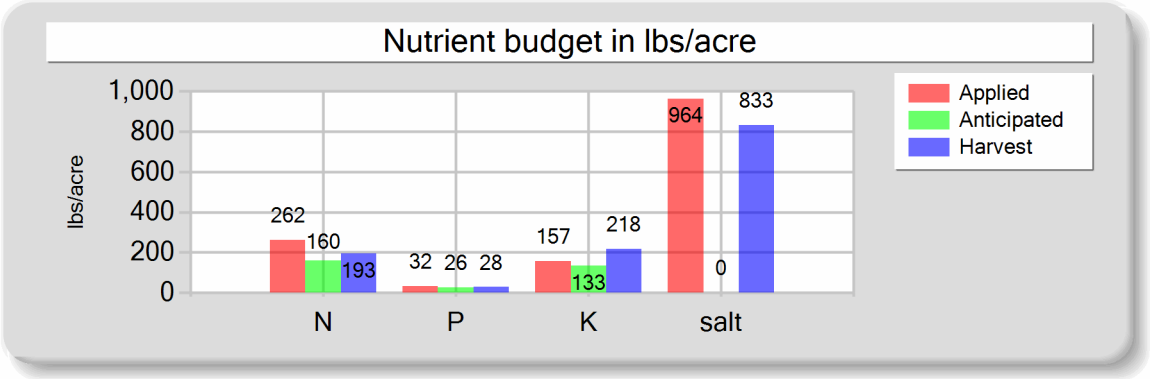

	Total N (lbs/acre)	Total P (lbs/acre)	Total K (lbs/acre)	Total salt (lbs/acre)
Existing soil nutrient content	0.00	0.00	0.00	0.00
Plowdown credit	0.00	0.00	0.00	0.00
Commercial fertilizer / Other	0.00	0.00	0.00	0.00
Dry manure	0.00	0.00	0.00	0.00
Process wastewater	124.14	31.82	156.64	964.16
Fresh water	130.37	0.00	0.00	0.00
Atmospheric deposition	7.00	0.00	0.00	0.00
Total nutrients applied	261.52	31.82	156.64	964.16
Anticipated crop nutrient removal	160.00	25.60	132.80	0.00
Actual crop nutrient removal	193.48	27.77	217.55	833.17
Nutrient balance	68.04	4.05	-60.91	130.99
Applied to removed ratio	1.35	1.15	0.72	1.16

Fresh water applied	
41,940,000.00	*gallons*
1,544.51	*acre-inches*
19.31	*inches/acre*

Process wastewater applied	
3,276,000.00	*gallons*
120.64	*acre-inches*
1.51	*inches/acre*

Total harvests for the crop	
1	*harvests*

Field 6 - 06/10/2023: Corn, silage

Field name: Field 6 Crop: Corn, silage Plant date: 06/10/2023

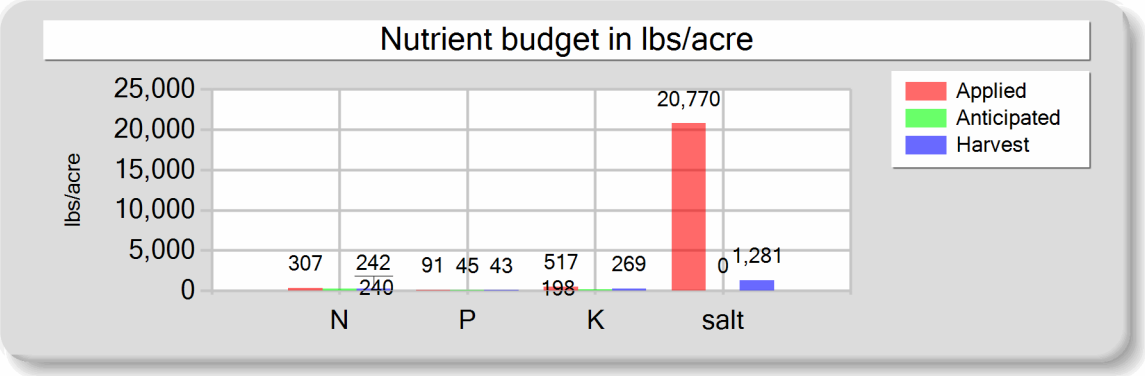

	Total N (lbs/acre)	Total P (lbs/acre)	Total K (lbs/acre)	Total salt (lbs/acre)
Existing soil nutrient content	0.00	0.00	0.00	0.00
Plowdown credit	0.00	0.00	0.00	0.00
Commercial fertilizer / Other	0.00	0.00	0.00	0.00
Dry manure	140.54	50.69	274.18	19,330.56
Process wastewater	147.03	40.54	242.72	1,439.16
Fresh water	12.01	0.00	0.00	0.00
Atmospheric deposition	7.00	0.00	0.00	0.00
Total nutrients applied	306.59	91.23	516.90	20,769.72
Anticipated crop nutrient removal	240.00	45.00	198.00	0.00
Actual crop nutrient removal	241.68	43.29	268.74	1,280.56
Nutrient balance	64.91	47.95	248.16	19,489.17
Applied to removed ratio	1.27	2.11	1.92	16.22

Fresh water applied	
82,260,000.00	*gallons*
3,029.36	*acre-inches*
37.87	*inches/acre*

Process wastewater applied	
5,148,000.00	*gallons*
189.58	*acre-inches*
2.37	*inches/acre*

Total harvests for the crop	
1	*harvests*

Field 7 - 10/22/2022: Oats, silage-soft dough

Field name: Field 7 Crop: Oats, silage-soft dough Plant date: 10/22/2022

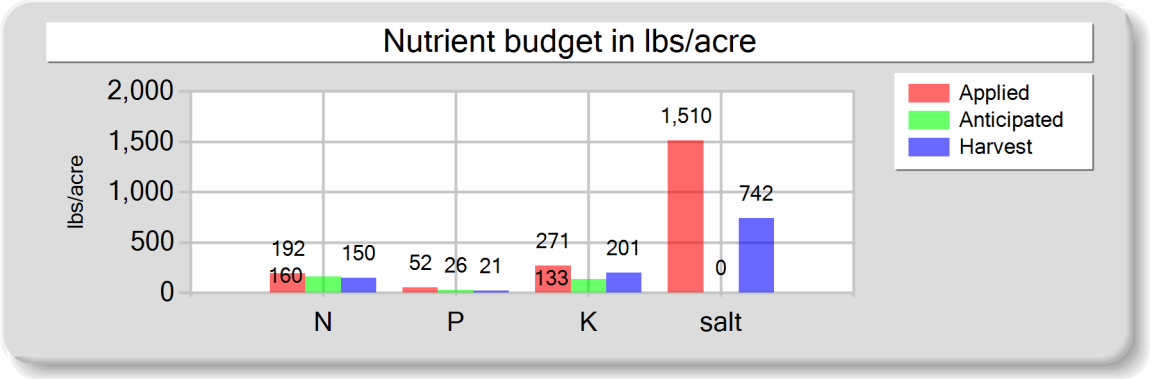

	Total N (lbs/acre)	Total P (lbs/acre)	Total K (lbs/acre)	Total salt (lbs/acre)
Existing soil nutrient content	0.00	0.00	0.00	0.00
Plowdown credit	0.00	0.00	0.00	0.00
Commercial fertilizer / Other	0.00	0.00	0.00	0.00
Dry manure	0.00	0.00	0.00	0.00
Process wastewater	178.49	52.45	271.10	1,510.44
Fresh water	6.12	0.00	0.00	0.00
Atmospheric deposition	7.00	0.00	0.00	0.00
Total nutrients applied	191.61	52.45	271.10	1,510.44
Anticipated crop nutrient removal	160.00	25.60	132.80	0.00
Actual crop nutrient removal	149.63	20.64	200.58	741.70
Nutrient balance	41.98	31.81	70.52	768.73
Applied to removed ratio	1.28	2.54	1.35	2.04

Fresh water applied	
41,940,000.00	*gallons*
1,544.51	*acre-inches*
19.31	*inches/acre*

Process wastewater applied	
5,304,000.00	*gallons*
195.33	*acre-inches*
2.44	*inches/acre*

Total harvests for the crop	
1	*harvests*

Field 7 - 05/28/2023: Sudangrass, silage

Field name: Field 7 Crop: Sudangrass, silage Plant date: 05/28/2023

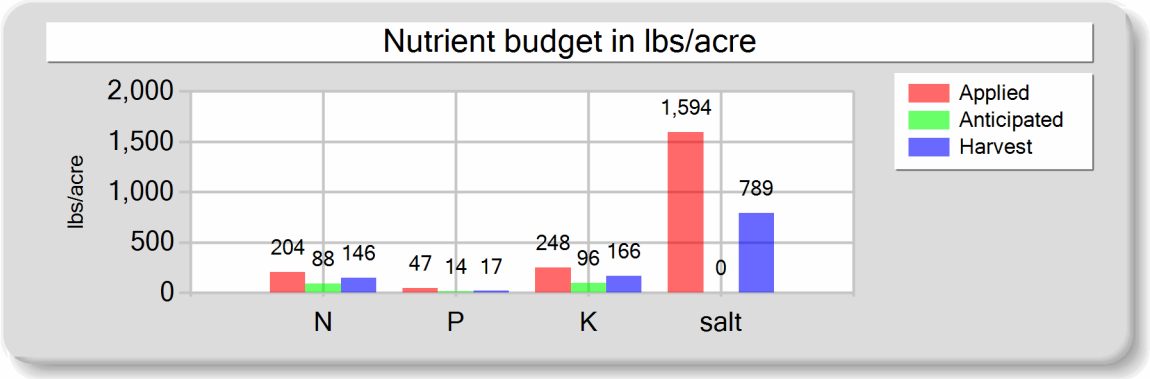

	Total N (lbs/acre)	Total P (lbs/acre)	Total K (lbs/acre)	Total salt (lbs/acre)
Existing soil nutrient content	0.00	0.00	0.00	0.00
Plowdown credit	0.00	0.00	0.00	0.00
Commercial fertilizer / Other	0.00	0.00	0.00	0.00
Dry manure	0.00	0.00	0.00	0.00
Process wastewater	183.81	47.40	248.35	1,593.75
Fresh water	12.93	0.00	0.00	0.00
Atmospheric deposition	7.00	0.00	0.00	0.00
Total nutrients applied	203.74	47.40	248.35	1,593.75
Anticipated crop nutrient removal	88.00	13.60	96.00	0.00
Actual crop nutrient removal	146.35	17.22	165.72	789.14
Nutrient balance	57.39	30.18	82.64	804.61
Applied to removed ratio	1.39	2.75	1.50	2.02

Fresh water applied	
88,560,000.00	*gallons*
3,261.36	*acre-inches*
40.77	*inches/acre*

Process wastewater applied	
4,992,000.00	*gallons*
183.84	*acre-inches*
2.30	*inches/acre*

Total harvests for the crop	
1	*harvests*

Field 8 - 10/25/2022: Oats, silage-soft dough

Field name: Field 8 Crop: Oats, silage-soft dough Plant date: 10/25/2022

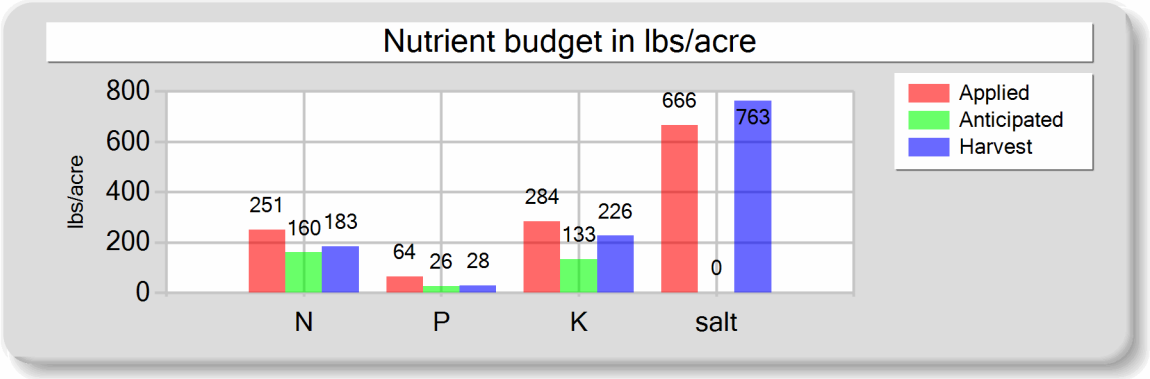

	Total N (lbs/acre)	Total P (lbs/acre)	Total K (lbs/acre)	Total salt (lbs/acre)
Existing soil nutrient content	0.00	0.00	0.00	0.00
Plowdown credit	0.00	0.00	0.00	0.00
Commercial fertilizer / Other	0.00	0.00	0.00	0.00
Dry manure	131.62	41.27	164.64	0.00
Process wastewater	78.74	23.14	119.60	666.37
Fresh water	33.25	0.00	0.00	0.00
Atmospheric deposition	7.00	0.00	0.00	0.00
Total nutrients applied	250.62	64.41	284.24	666.37
Anticipated crop nutrient removal	160.00	25.60	132.80	0.00
Actual crop nutrient removal	183.07	28.37	226.31	763.36
Nutrient balance	67.54	36.04	57.94	-96.99
Applied to removed ratio	1.37	2.27	1.26	0.87

Fresh water applied	
41,940,000.00	*gallons*
1,544.51	*acre-inches*
19.31	*inches/acre*

Process wastewater applied	
2,340,000.00	*gallons*
86.17	*acre-inches*
1.08	*inches/acre*

Total harvests for the crop	
1	*harvests*

Field 8 - 06/12/2023: Corn, silage

Field name: Field 8 Crop: Corn, silage Plant date: 06/12/2023

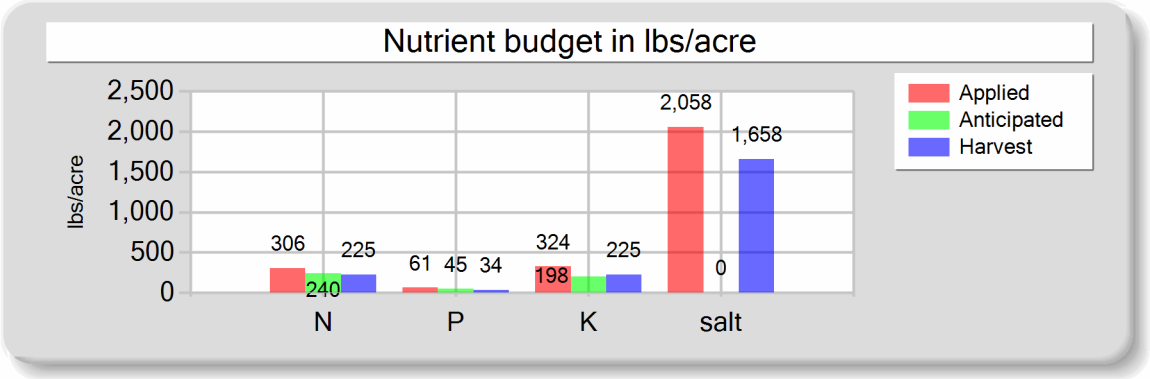

	Total N (lbs/acre)	Total P (lbs/acre)	Total K (lbs/acre)	Total salt (lbs/acre)
Existing soil nutrient content	0.00	0.00	0.00	0.00
Plowdown credit	0.00	0.00	0.00	0.00
Commercial fertilizer / Other	0.00	0.00	0.00	0.00
Dry manure	0.00	0.00	0.00	0.00
Process wastewater	234.26	60.84	323.76	2,058.18
Fresh water	65.21	0.00	0.00	0.00
Atmospheric deposition	7.00	0.00	0.00	0.00
Total nutrients applied	306.47	60.84	323.76	2,058.18
Anticipated crop nutrient removal	240.00	45.00	198.00	0.00
Actual crop nutrient removal	225.32	34.25	225.32	1,658.36
Nutrient balance	81.15	26.60	98.44	399.82
Applied to removed ratio	1.36	1.78	1.44	1.24

Fresh water applied	
82,260,000.00	*gallons*
3,029.36	*acre-inches*
37.87	*inches/acre*

Process wastewater applied	
6,552,000.00	*gallons*
241.29	*acre-inches*
3.02	*inches/acre*

Total harvests for the crop	
1	*harvests*

Field 9 - 10/27/2022: Oats, silage-soft dough

Field name: Field 9 Crop: Oats, silage-soft dough Plant date: 10/27/2022

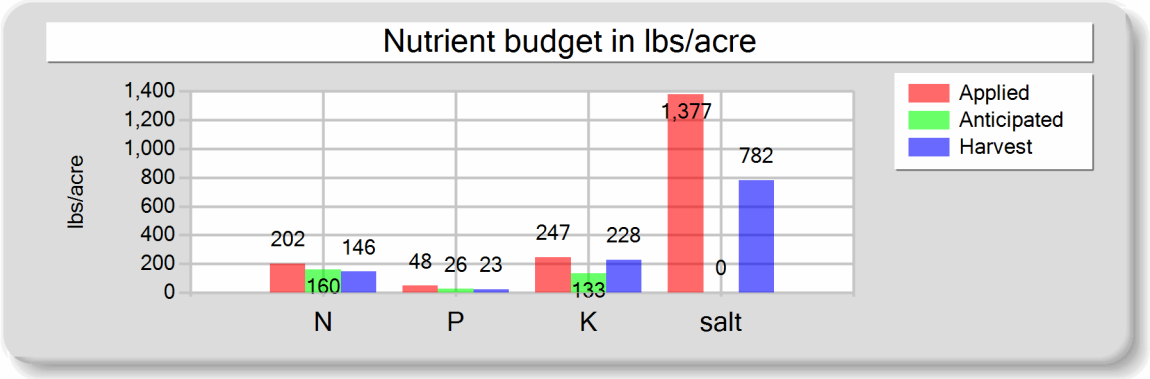

	Total N (lbs/acre)	Total P (lbs/acre)	Total K (lbs/acre)	Total salt (lbs/acre)
Existing soil nutrient content	0.00	0.00	0.00	0.00
Plowdown credit	0.00	0.00	0.00	0.00
Commercial fertilizer / Other	0.00	0.00	0.00	0.00
Dry manure	0.00	0.00	0.00	0.00
Process wastewater	162.74	47.82	247.18	1,377.16
Fresh water	32.37	0.00	0.00	0.00
Atmospheric deposition	7.00	0.00	0.00	0.00
Total nutrients applied	202.11	47.82	247.18	1,377.16
Anticipated crop nutrient removal	160.00	25.60	132.80	0.00
Actual crop nutrient removal	146.03	23.10	227.98	782.29
Nutrient balance	56.08	24.73	19.20	594.87
Applied to removed ratio	1.38	2.07	1.08	1.76

Fresh water applied	
41,940,000.00	*gallons*
1,544.51	*acre-inches*
19.31	*inches/acre*

Process wastewater applied	
4,836,000.00	*gallons*
178.09	*acre-inches*
2.23	*inches/acre*

Total harvests for the crop	
1	*harvests*

Field 9 - 06/14/2023: Corn, silage

Field name: Field 9 Crop: Corn, silage Plant date: 06/14/2023

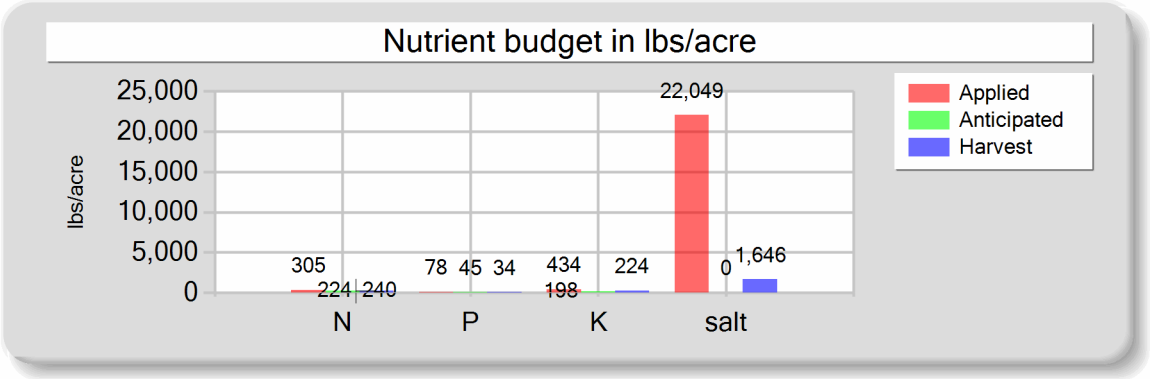

	Total N (lbs/acre)	Total P (lbs/acre)	Total K (lbs/acre)	Total salt (lbs/acre)
Existing soil nutrient content	0.00	0.00	0.00	0.00
Plowdown credit	0.00	0.00	0.00	0.00
Commercial fertilizer / Other	0.00	0.00	0.00	0.00
Dry manure	154.60	55.76	301.59	21,263.62
Process wastewater	80.20	22.11	132.40	785.00
Fresh water	63.50	0.00	0.00	0.00
Atmospheric deposition	7.00	0.00	0.00	0.00
Total nutrients applied	305.29	77.87	433.99	22,048.61
Anticipated crop nutrient removal	240.00	45.00	198.00	0.00
Actual crop nutrient removal	223.60	33.99	223.60	1,645.70
Nutrient balance	81.69	43.88	210.39	20,402.92
Applied to removed ratio	1.37	2.29	1.94	13.40

Fresh water applied	
82,260,000.00	*gallons*
3,029.36	*acre-inches*
37.87	*inches/acre*

Process wastewater applied	
2,808,000.00	*gallons*
103.41	*acre-inches*
1.29	*inches/acre*

Total harvests for the crop	
1	*harvests*

NUTRIENT ANALYSES

A. MANURE ANALYSES

Corral manure

Sample and source description: Corral manure

Sample date: 10/10/2022 Material type: Corral solids Source of analysis: Lab analysis Method of reporting: Dry-weight

Moisture: 27.6 %

	Total N (mg/kg)	Total P (mg/kg)	Total K (mg/kg)	Calcium (mg/kg)	Magnesium (mg/kg)	Sodium (mg/kg)	Sulfur (mg/kg)	Chloride (mg/kg)	Total salt (mg/kg)	TFS (%)
Value	30,300.00	9,500.00	37,900.00							
DL	1.00	1.00	1.00							

Export corral manure

Sample and source description: Export corral manure

Sample date: 05/10/2023 Material type: Corral solids Source of analysis: Lab analysis Method of reporting: Dry-weight

Moisture: 42.4 %

	Total N (mg/kg)	Total P (mg/kg)	Total K (mg/kg)	Calcium (mg/kg)	Magnesium (mg/kg)	Sodium (mg/kg)	Sulfur (mg/kg)	Chloride (mg/kg)	Total salt (mg/kg)	TFS (%)
Value	6,100.00	2,200.00	11,900.00	10,600.00	9,800.00	1,300.00	2,100.00	1,000.00		83.90
DL	1.00	1.00	1.00	1.00	1.00	1.00	1.00	1.00		1.00

B. PROCESS WASTEWATER ANALYSES

Fall 2022 Lagoon

Sample and source description: Fall 2022 Lagoon

Sample date: 12/06/2022 Material type: Process wastewater Source of analysis: Lab analysis pH: 7.20

	Kjeldahl-N (mg/L)	NH4-N (mg/L)	NH3-N (mg/L)	Nitrate-N (mg/L)	Total P (mg/L)	Total K (mg/L)	Calcium (mg/L)	Magnes. (mg/L)	Sodium (mg/L)	Bicarb. (mg/L)	Carb. (mg/L)	Sulfate (mg/L)	Chloride (mg/L)	EC (µmhos/cm)	TDS (mg/L)
Value	428.00	260.00	0.00	1.40	90.40	407.00								5,440.00	2,970
DL	1.00	1.00	0.01	1.00	1.00	1.00								1.00	1

Lagoon Q1

Sample and source description: Lagoon Q1

Sample date: 03/30/2023 Material type: Process wastewater Source of analysis: Lab analysis pH: 7.20

	Kjeldahl-N (mg/L)	NH4-N (mg/L)	NH3-N (mg/L)	Nitrate-N (mg/L)	Total P (mg/L)	Total K (mg/L)	Calcium (mg/L)	Magnes. (mg/L)	Sodium (mg/L)	Bicarb. (mg/L)	Carb. (mg/L)	Sulfate (mg/L)	Chloride (mg/L)	EC (µmhos/cm)	TDS (mg/L)
Value	319.00	210.00	0.00	3.60	94.80	490.00								4,750.00	2,730
DL	0.01	0.01	0.01	0.01	0.01	0.01								10.00	1

Lagoon Q2

Sample and source description: Lagoon Q2

Sample date: 05/11/2023 Material type: Process wastewater Source of analysis: Lab analysis pH: 7.30

	Kjeldahl-N (mg/L)	NH4-N (mg/L)	NH3-N (mg/L)	Nitrate-N (mg/L)	Total P (mg/L)	Total K (mg/L)	Calcium (mg/L)	Magnes. (mg/L)	Sodium (mg/L)	Bicarb. (mg/L)	Carb. (mg/L)	Sulfate (mg/L)	Chloride (mg/L)	EC (µmhos/cm)	TDS (mg/L)
Value	454.00	299.00	0.00	0.80	111.00	509.00								5,480.00	3,550
DL	1.00	1.00	0.01	0.01	1.00	1.00								1.00	1

Lagoon Q3

Sample and source description: Lagoon Q3

Sample date: 08/01/2023 Material type: Process wastewater Source of analysis: Lab analysis pH: 7.30

	Kjeldahl-N (mg/L)	NH4-N (mg/L)	NH3-N (mg/L)	Nitrate-N (mg/L)	Total P (mg/L)	Total K (mg/L)	Calcium (mg/L)	Magnes. (mg/L)	Sodium (mg/L)	Bicarb. (mg/L)	Carb. (mg/L)	Sulfate (mg/L)	Chloride (mg/L)	EC (µmhos/cm)	TDS (mg/L)
Value	273.00	198.00	0.00	0.80	75.50	452.00								4,430.00	2,680
DL	0.01	0.01	0.01	0.01	0.01	0.01								10.00	1

Lagoon Q4

Sample and source description: Lagoon Q4

Sample date: 12/04/2023 Material type: Process wastewater Source of analysis: Lab analysis pH: 7.00

	Kjeldahl-N (mg/L)	NH4-N (mg/L)	NH3-N (mg/L)	Nitrate-N (mg/L)	Total P (mg/L)	Total K (mg/L)	Calcium (mg/L)	Magnes. (mg/L)	Sodium (mg/L)	Bicarb. (mg/L)	Carb. (mg/L)	Sulfate (mg/L)	Chloride (mg/L)	EC (µmhos/cm)	TDS (mg/L)
Value	145.00	89.50	0.00	0.40	40.20	274.00								2,210.00	1,450
DL	0.01	0.01	0.01	0.01	0.01	0.01								10.00	1

C. FRESH WATER ANALYSES

Domestic Well

DW House

Sample description: DW House

Sample date: 12/11/2023 Source of analysis: Lab analysis

	Total N (mg/L)	NH4-N (mg/L)	Nitrate-N (mg/L)	Calcium (mg/L)	Magnesium (mg/L)	Sodium (mg/L)	Bicarbonate (mg/L)	Carbonate (mg/L)	Sulfate (mg/L)	Chloride (mg/L)	EC (µmhos/cm)	TDS (mg/L)
Value	0.10	0.00	0.10								32.60	0
DL	0.01	0.01	0.01								10.00	1

DW MB

Sample description: DW MB

Sample date: 12/11/2023 Source of analysis: Lab analysis

	Total N (mg/L)	NH4-N (mg/L)	Nitrate-N (mg/L)	Calcium (mg/L)	Magnesium (mg/L)	Sodium (mg/L)	Bicarbonate (mg/L)	Carbonate (mg/L)	Sulfate (mg/L)	Chloride (mg/L)	EC (µmhos/cm)	TDS (mg/L)
Value	1.80	0.00	1.80								257.00	0
DL	0.01	0.01	0.01								10.00	1

DW New

Sample description: DW New

Sample date: 12/11/2023 Source of analysis: Lab analysis

	Total N (mg/L)	NH4-N (mg/L)	Nitrate-N (mg/L)	Calcium (mg/L)	Magnesium (mg/L)	Sodium (mg/L)	Bicarbonate (mg/L)	Carbonate (mg/L)	Sulfate (mg/L)	Chloride (mg/L)	EC (µmhos/cm)	TDS (mg/L)
Value	1.90	0.00	1.90								275.00	0
DL	0.01	0.01	0.01								10.00	1

Irrigation Well

Irrigation Well

IW #2

Sample description: IW #2

Sample date: 09/06/2023 Source of analysis: Lab analysis

	Total N (mg/L)	NH4-N (mg/L)	Nitrate-N (mg/L)	Calcium (mg/L)	Magnesium (mg/L)	Sodium (mg/L)	Bicarbonate (mg/L)	Carbonate (mg/L)	Sulfate (mg/L)	Chloride (mg/L)	EC (µmhos/cm)	TDS (mg/L)
Value	0.50	0.00	0.50								506.00	0
DL	0.01	0.01	0.01								10.00	1

NW #1

Sample description: NW #1

Sample date: 09/06/2023 Source of analysis: Lab analysis

	Total N (mg/L)	NH4-N (mg/L)	Nitrate-N (mg/L)	Calcium (mg/L)	Magnesium (mg/L)	Sodium (mg/L)	Bicarbonate (mg/L)	Carbonate (mg/L)	Sulfate (mg/L)	Chloride (mg/L)	EC (µmhos/cm)	TDS (mg/L)
Value	29.80	0.00	29.80								1,650.00	0
DL	0.01	0.01	0.01								10.00	1

NW #2

Sample description: NW #2

Sample date: 09/06/2023 Source of analysis: Lab analysis

	Total N (mg/L)	NH4-N (mg/L)	Nitrate-N (mg/L)	Calcium (mg/L)	Magnesium (mg/L)	Sodium (mg/L)	Bicarbonate (mg/L)	Carbonate (mg/L)	Sulfate (mg/L)	Chloride (mg/L)	EC (µmhos/cm)	TDS (mg/L)
Value	1.40	0.00	1.40								587.00	0
DL	0.01	0.01	0.01								10.00	1

Irrigation Well

Ag Well #3

Sample description: Ag Well #3

Sample date: 12/11/2023 Source of analysis: Lab analysis

	Total N (mg/L)	NH4-N (mg/L)	Nitrate-N (mg/L)	Calcium (mg/L)	Magnesium (mg/L)	Sodium (mg/L)	Bicarbonate (mg/L)	Carbonate (mg/L)	Sulfate (mg/L)	Chloride (mg/L)	EC (µmhos/cm)	TDS (mg/L)
Value	11.90	0.00	11.90								1,420.00	0
DL	0.01	0.01	0.01								10.00	1

New Well #3

Sample description: New Well #3

Sample date: 12/11/2023 Source of analysis: Lab analysis

	Total N (mg/L)	NH4-N (mg/L)	Nitrate-N (mg/L)	Calcium (mg/L)	Magnesium (mg/L)	Sodium (mg/L)	Bicarbonate (mg/L)	Carbonate (mg/L)	Sulfate (mg/L)	Chloride (mg/L)	EC (µmhos/cm)	TDS (mg/L)
Value	7.60	0.00	7.60								898.00	0
DL	0.01	0.01	0.01								10.00	1

New Well #4

Sample description: New Well #4

Sample date: 12/11/2023 Source of analysis: Lab analysis

	Total N (mg/L)	NH4-N (mg/L)	Nitrate-N (mg/L)	Calcium (mg/L)	Magnesium (mg/L)	Sodium (mg/L)	Bicarbonate (mg/L)	Carbonate (mg/L)	Sulfate (mg/L)	Chloride (mg/L)	EC (µmhos/cm)	TDS (mg/L)
Value	7.40	0.00	7.40								890.00	0
DL	0.01	0.01	0.01								10.00	1

Irrigation Well

New Well #5

Sample description: New Well #5

Sample date: 12/11/2023 Source of analysis: Lab analysis

	Total N (mg/L)	NH4-N (mg/L)	Nitrate-N (mg/L)	Calcium (mg/L)	Magnesium (mg/L)	Sodium (mg/L)	Bicarbonate (mg/L)	Carbonate (mg/L)	Sulfate (mg/L)	Chloride (mg/L)	EC (µmhos/cm)	TDS (mg/L)
Value	11.70	0.00	11.70								1,420.00	0
DL	0.01	0.01	0.01								10.00	1

D. SOIL ANALYSES

No soil analyses entered.

E. PLANT TISSUE ANALYSES

Field 2 - 10/16/2022: Oats, silage-soft dough

Field 2 Oat Silage

Sample and source description: Field 2 Oat Silage

Sample date: 04/13/2023 Source of analysis: Lab analysis Method of reporting: Dry-weight

Moisture: 75.2 %

	Total N (mg/kg)	Total P (mg/kg)	Total K (mg/kg)	Total salt (mg/kg)	TFS (%)
Value	16,700.00	3,300.00	23,200.00		10.90
DL	0.01	0.01	0.01		1.00

Field 2 - 05/13/2023: Sudangrass, silage

Field 2 - 05/13/2023: Sudangrass, silage

Field 2 Sudan

Sample and source description: Field 2 Sudan

Sample date: 09/06/2023 Source of analysis: Lab analysis Method of reporting: Dry-weight

Moisture: 80.1 %

	Total N (mg/kg)	Total P (mg/kg)	Total K (mg/kg)	Total salt (mg/kg)	TFS (%)
Value	17,100.00	2,700.00	24,900.00		11.40
DL	0.01	0.01	0.01		1.00

Field 3 - 10/16/2022: Oats, silage-soft dough

Oats

Sample and source description: Oats

Sample date: 05/10/2023 Source of analysis: Lab analysis Method of reporting: Dry-weight

Moisture: 77.9 %

	Total N (mg/kg)	Total P (mg/kg)	Total K (mg/kg)	Total salt (mg/kg)	TFS (%)
Value	24,900.00	4,100.00	40,900.00		14.40
DL	1.00	1.00	1.00		1.00

Field 3 - 05/20/2023: Sudangrass, silage

Field 3 Sudan

Sample and source description: Field 3 Sudan

Sample date: 09/06/2023 Source of analysis: Lab analysis Method of reporting: Dry-weight

Moisture: 80.1 %

	Total N (mg/kg)	Total P (mg/kg)	Total K (mg/kg)	Total salt (mg/kg)	TFS (%)
Value	17,100.00	2,700.00	24,900.00		11.40
DL	0.01	0.01	0.01		1.00

Field 5 - 10/30/2022: Oats, silage-soft dough

5 Middle oats

Sample and source description: 5 Middle oats

Sample date: 05/10/2023 Source of analysis: Lab analysis Method of reporting: Dry-weight

Moisture: 70.0 %

	Total N (mg/kg)	Total P (mg/kg)	Total K (mg/kg)	Total salt (mg/kg)	TFS (%)
Value	21,600.00	2,200.00	26,600.00		10.50
DL	1.00	1.00	1.00		1.00

East and West Oats

Sample and source description: East and West Oats

Sample date: 05/10/2023 Source of analysis: Lab analysis Method of reporting: Dry-weight

Moisture: 72.7 %

	Total N (mg/kg)	Total P (mg/kg)	Total K (mg/kg)	Total salt (mg/kg)	TFS (%)
Value	24,100.00	3,000.00	31,200.00		11.90
DL	1.00	1.00	1.00		1.00

Field 5 - 05/25/2023: Sudangrass, silage

5 Middle Sudan

Sample and source description: 5 Middle Sudan

Sample date: 08/03/2023 Source of analysis: Lab analysis Method of reporting: Dry-weight

Moisture: 85.2 %

	Total N (mg/kg)	Total P (mg/kg)	Total K (mg/kg)	Total salt (mg/kg)	TFS (%)
Value	27,100.00	3,500.00	53,800.00		14.30
DL	0.01	0.01	0.01		1.00

Field 5 - 05/25/2023: Sudangrass, silage

Field 5 Middle Sudan

Sample and source description: Field 5 Middle Sudan

Sample date: 09/06/2023 Source of analysis: Lab analysis Method of reporting: Dry-weight

Moisture: 78.5 %

	Total N (mg/kg)	Total P (mg/kg)	Total K (mg/kg)	Total salt (mg/kg)	TFS (%)
Value	17,600.00	2,500.00	26,600.00		11.00
DL	0.01	0.01	0.01		1.00

Field 6 - 10/20/2022: Oats, silage-soft dough

Oats

Sample and source description: Oats

Sample date: 05/10/2023 Source of analysis: Lab analysis Method of reporting: Dry-weight

Moisture: 66.7 %

	Total N (mg/kg)	Total P (mg/kg)	Total K (mg/kg)	Total salt (mg/kg)	TFS (%)
Value	20,900.00	3,000.00	23,500.00		9.00
DL	1.00	1.00	1.00		1.00

Field 6 - 06/10/2023: Corn, silage

Field 6 Corn

Sample and source description: Field 6 Corn

Sample date: 09/06/2023 Source of analysis: Lab analysis Method of reporting: Dry-weight

Moisture: 66.6 %

	Total N (mg/kg)	Total P (mg/kg)	Total K (mg/kg)	Total salt (mg/kg)	TFS (%)
Value	13,400.00	2,400.00	14,900.00		7.10
DL	0.01	0.01	0.01		1.00

Field 7 - 10/22/2022: Oats, silage-soft dough

Oats

Sample and source description: Oats

Sample date: 05/10/2023 Source of analysis: Lab analysis Method of reporting: Dry-weight

Moisture: 76.8 %

	Total N (mg/kg)	Total P (mg/kg)	Total K (mg/kg)	Total salt (mg/kg)	TFS (%)
Value	23,200.00	3,200.00	31,100.00		11.50
DL	1.00	1.00	1.00		1.00

Field 7 - 05/28/2023: Sudangrass, silage

Field 7 Sudan

Sample and source description: Field 7 Sudan

Sample date: 09/06/2023 Source of analysis: Lab analysis Method of reporting: Dry-weight

Moisture: 78.9 %

	Total N (mg/kg)	Total P (mg/kg)	Total K (mg/kg)	Total salt (mg/kg)	TFS (%)
Value	20,400.00	2,400.00	23,100.00		11.00
DL	0.01	0.01	0.01		1.00

Field 8 - 10/25/2022: Oats, silage-soft dough

Oats

Sample and source description: Oats

Sample date: 05/10/2023 Source of analysis: Lab analysis Method of reporting: Dry-weight

Moisture: 75.7 %

	Total N (mg/kg)	Total P (mg/kg)	Total K (mg/kg)	Total salt (mg/kg)	TFS (%)
Value	27,100.00	4,200.00	33,500.00		11.30
DL	1.00	1.00	1.00		1.00

Field 9 - 10/27/2022: Oats, silage-soft dough

Oats

Sample and source description: Oats

Sample date: 05/10/2023 Source of analysis: Lab analysis Method of reporting: Dry-weight

Moisture: 73.2 %

	Total N (mg/kg)	Total P (mg/kg)	Total K (mg/kg)	Total salt (mg/kg)	TFS (%)
Value	19,600.00	3,100.00	30,600.00		10.50
DL	1.00	1.00	1.00		1.00

Field 9 - 06/14/2023: Corn, silage

Field 9 Corn

Sample and source description: Field 9 Corn

Sample date: 09/06/2023 Source of analysis: Lab analysis Method of reporting: Dry-weight

Moisture: 65.6 %

	Total N (mg/kg)	Total P (mg/kg)	Total K (mg/kg)	Total salt (mg/kg)	TFS (%)
Value	12,500.00	1,900.00	12,500.00		9.20
DL	0.01	0.01	0.01		1.00

F. SUBSURFACE (TILE) DRAINAGE ANALYSES

No subsurface (tile) drainage analyses entered.

NUTRIENT APPLICATIONS, POTENTIAL REMOVAL, AND BALANCE

A. SUMMARY OF NUTRIENT APPLICATIONS, POTENTIAL REMOVAL, AND BALANCE

	Total N (lbs)	Total P (lbs)	Total K (lbs)	Total salt (lbs)
Existing soil nutrient content	0.00	0.00	0.00	0.00
Plowdown credit	0.00	0.00	0.00	0.00
Commercial fertilizer / Other	0.00	0.00	0.00	0.00
Dry manure	34,141.25	11,817.02	59,232.58	3,247,534.08
Process wastewater	138,255.11	37,863.04	200,639.10	1,196,997.45
Fresh water	40,000.52	0.00	0.00	0.00
Atmospheric deposition	6,580.00	0.00	0.00	0.00
Total nutrients applied	218,976.88	49,680.07	259,871.68	4,444,531.53
Anticipated crop nutrient removal	153,040.00	25,960.00	132,016.00	0.00
Actual crop nutrient removal	162,402.03	24,284.08	202,582.28	919,730.87
Nutrient balance	56,574.85	25,395.99	57,289.40	3,524,800.66
Applied to removed ratio	1.35	2.05	1.28	4.83

B. POUNDS OF NUTRIENT APPLIED VS. CROP REMOVAL

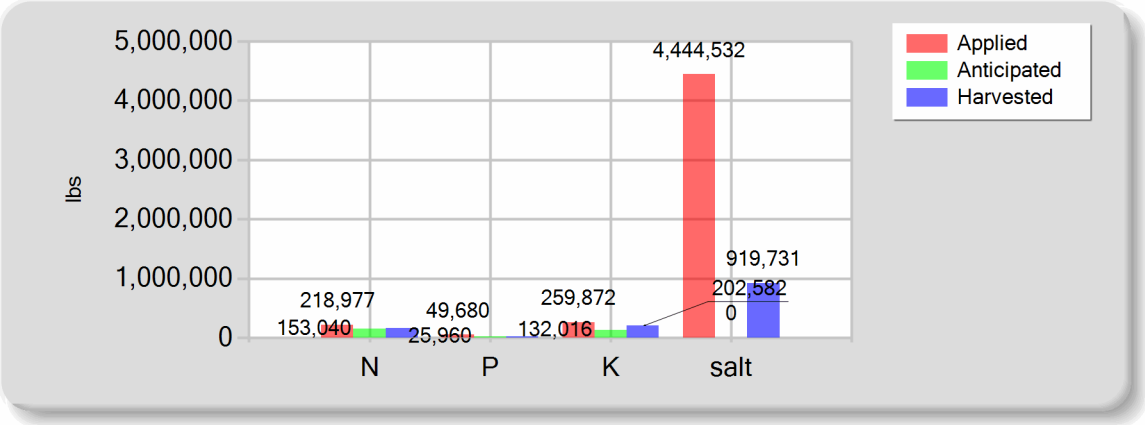

C. POUNDS OF NUTRIENT APPLIED BY MATERIAL TYPE

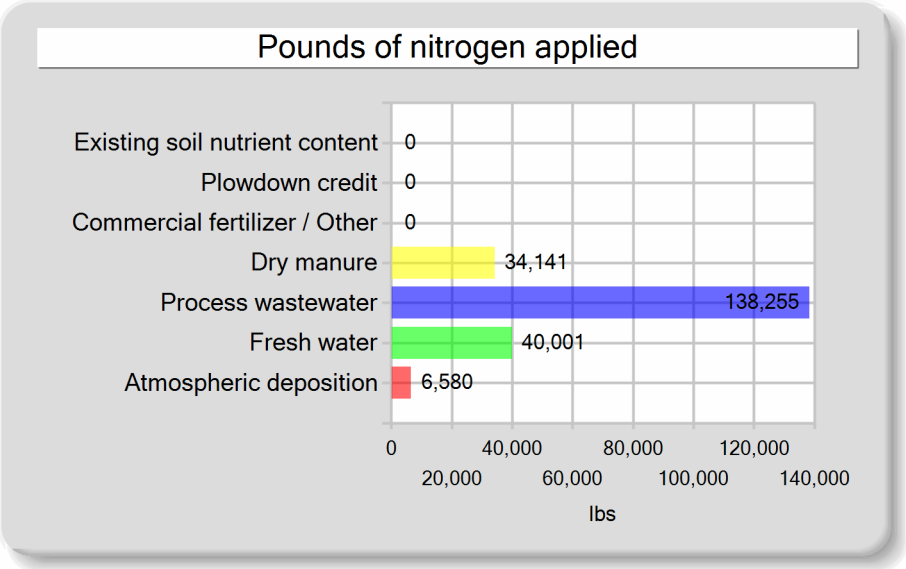

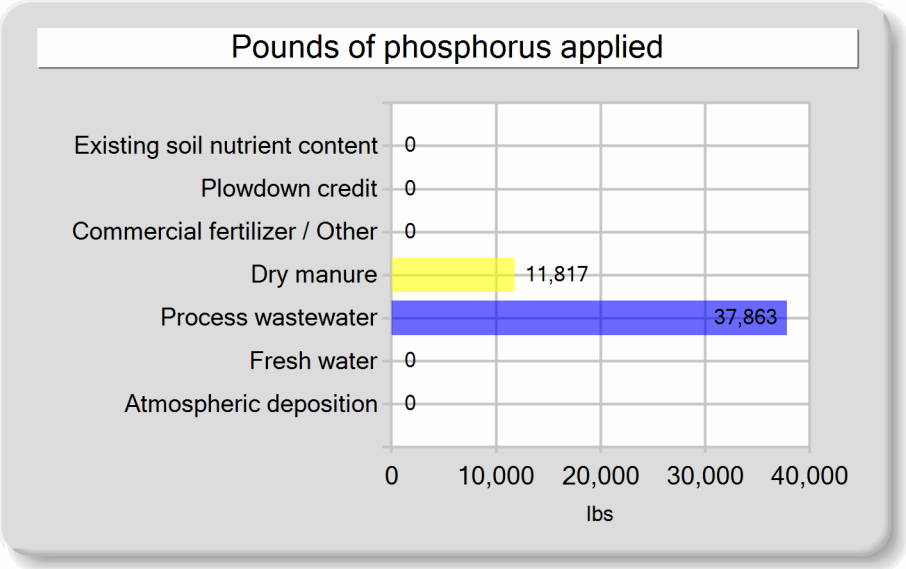

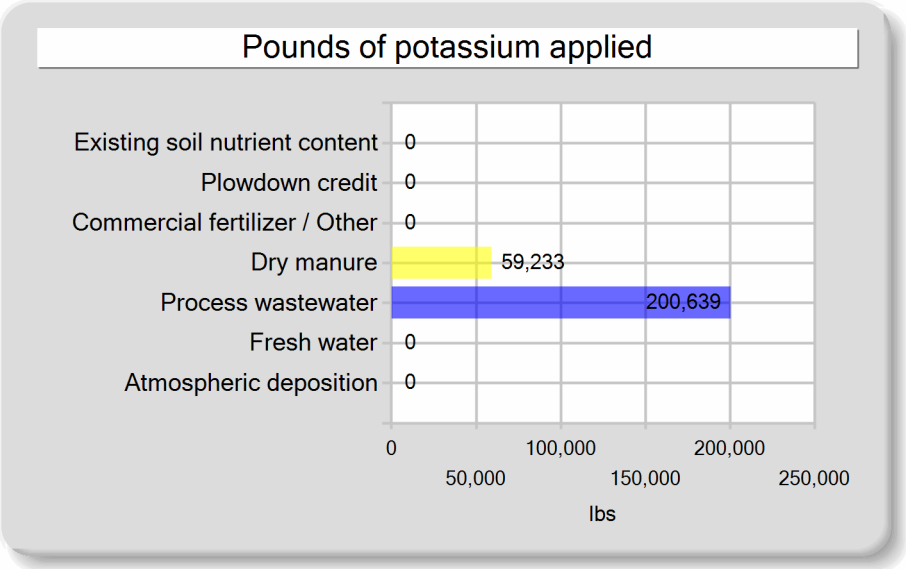

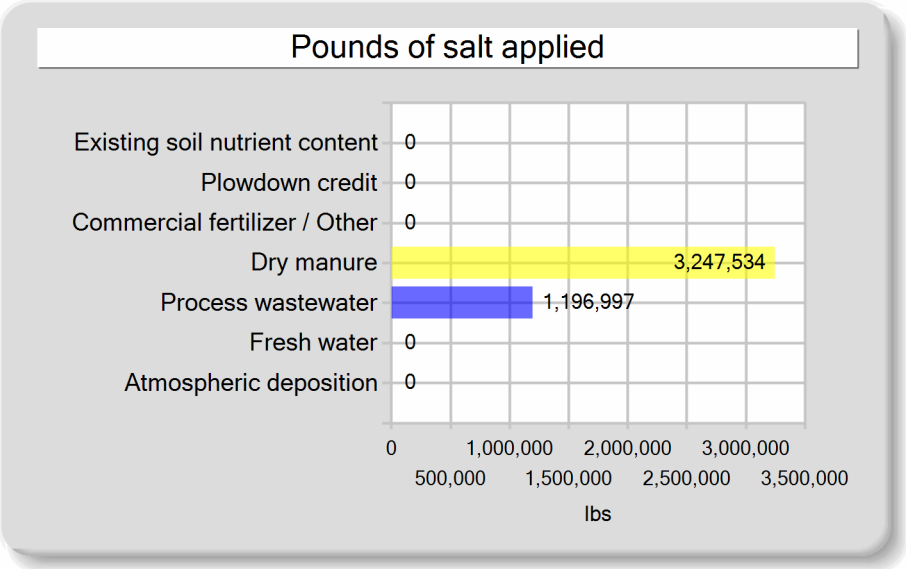

EXCEPTION REPORTING

A. MANURE, PROCESS WASTEWATER, AND OTHER DAIRY WASTE DISCHARGES

The following is a summary of all manure and process wastewater discharges from the production area to surface water or to land areas (land application areas or otherwise) when not in accordance with the facility's Nutrient Management Plan.

No manure or process wastewater discharges occurred during the reporting period.

B. STORM WATER DISCHARGES

The following is a summary of all storm water discharges from the production area to surface water during the reporting period when not in accordance with the facility 's Nutrient Management Plan.

No stormwater discharges occurred during the reporting period.

C. LAND APPLICATION AREA TO SURFACE WATER DISCHARGES

The following is a summary of all discharges from the land application area to surface water that have occurred during the reporting period when not in accordance with the facility's Nutrient Management Plan.

No land application area to surface water discharges occurred during the reporting period.

NUTRIENT MANAGEMENT PLAN AND EXPORT AGREEMENT STATEMENTS

A. NUTRIENT MANAGEMENT PLAN STATEMENTS

Was the facility's NMP updated in the reporting period?	Yes
Was the facility's NMP developed by a certified nutrient management planner (specialist) as specified in Attachment C of the General Order?	Yes
Was the facility's NMP approved by a certified nutrient management planner (specialist) as specified in Attachment C of the General Order?	Yes

B. EXPORT AGREEMENT STATEMENT

Are there any written agreements with third parties to receive manure or process wastewater that are new or were revised within the reporting period?	Yes

ADDITIONAL NOTES

A. NOTES

No notes entered for this annual report.

CERTIFICATION

A. OWNER AND/OR OPERATOR CERTIFICATION

I certify under penalty of law that I have personally examined and am familiar with the information submitted in this document and all attachments and that, based on my inquiry of those individuals immediately responsible for obtaining the information, I believe that the information is true, accurate, and complete. I am aware that there are significant penalties for submitting false information, including the possibility of fine and imprisonment.

Antonio Azevedo

SIGNATURE OF OWNER OF FACILITY	SIGNATURE OF OPERATOR OF FACILITY
Antonio or Alexandrina Azevedo	SAME AS OWNER
PRINT OR TYPE NAME	PRINT OR TYPE NAME
Jul 1, 2024	
DATE	DATE

Annual Report - General Order No. R5-2007-0035
Reporting period 01/01/2023 to 12/31/2023.

ATTACHMENTS

A. REQUIRED ATTACHMENTS

The following lists the required documents that should be attached to the Annual Report when submitted .

Annual Dairy Facility Assessment
Provide an Annual Dairy Facility Assessment (an update to the Preliminary Dairy Facility Assessment in Attachment A) for each reporting period. On the PDFA Final page, click on the ADFA Report button to generate an ADFA report after updating information as needed .

Manure/Process Wastewater Tracking Manifests
Provide copies of all manure/process wastewater tracking manifests for the reporting period, signed by both the owner/operator and the hauler.

Written Agreements
Provide copies of all new or revised written agreements with each third party that receives solid manure or process wastewater from the Discharger for its own use.

Corrective Actions Documents
Provide records documenting any corrective actions taken to correct deficiencies noted as a result of the inspections required in the Monitoring Requirements of the General Order. Deficiencies not corrected in 30 days must be accompanied by an explanation of the factors preventing immediate correction.

Groundwater Monitoring
Dischargers that monitor supply wells or subsurface (tile) drainage systems, or that have monitoring well systems must submit monitoring results as directed in the General Order, Groundwater Reporting Section starting on page MRP-13.

Storm Water Monitoring
Dischargers that are required to monitor storm water more frequently than required in the General Order must submit monitoring results as directed in the General Order, Storm Water Reporting Section on page MRP-14.

Manure / Process Wastewater Tracking Manifest
For
Existing Milk Cow Dairies

General Order No. R5-2007-0035, Attachment D

INSTRUCTIONS

1) Complete one manifest for each hauling event, for each destination. A hauling event may last for several days, as long as the manure is being hauled to the same destination.
2) If there are multiple destinations, complete a separate form for each destination.
3) The operator must obtain the signature of the hauler upon completion of each manure/process wastewater hauling event.
4) The operator shall submit copies of manure/process wastewater tracking manifest(s) with the Annual Monitoring Report for Existing Milk Cow Dairies.

OPERATOR INFORMATION

Name of Operator: Antonio Azevedo

Name of Dairy Facility: Antonio Azevedo Dairy #1

Facility Address:

Number and Street	City	County	Zip Code
2025 W El Nido RD	El Nido	Merced	95317

Contact Person Name and Phone Number:

Name	Phone Number
Antonio Azevedo	(209) 230-8765

MANURE HAULER INFORMATION

Name of Hauling Company/Person: Gomes Farms LLC

Address of Hauling Company/Person:

Number and Street	City	State	Zip Code
P.O. Box 149	El Nido	CA	95317

Contact Person:

Name	Phone Number
Eddie Gomes	(209) 564-2431

DESTINATION INFORMATION

Composting Facility / Broker / Farmer / Other (identify): Broker

Contact information of Composting Facility, Broker, Farmer, or Other (as identified above):

Name	Phone Number
Gomes Farms LLC	(209) 564-2431

Address	City	State	Zip Code
P.O. Box 149	El Nido	CA	95317

Destination Address or Assessor's Parcel Number:

Address	City	Zip Code
	El Nido	95317

Street and nearest cross street (if no address)	County
Coyote Rd	Merced

Assessor's Parcel Number	Assessor's Parcel Number County
X074-X160-X054-XXXX	Merced

Last date hauled: 05/26/2023

Manure / Process Wastewater Tracking Manifest
For
Existing Milk Cow Dairies

General Order No. R5-2007-0035, Attachment D

MANURE AMOUNT HAULED

Enter the amount of manure hauled in tons, manure solids content, and the method used to calculate the amount:

Manure: 24,216.00 tons

Manure Solids Content: 57.6 %

Method used to determine amount of manure:

tons per load per hauler

CERTIFICATION

I declare under penalty of law that I personally examined and am familiar with the information submitted in this document, and that based on my inquiry of those individuals immediately responsible for obtaining the information, I believe that the information is true , accurate, and complete. I am aware that there are significant penalties for submitting false information, including the possibility of a fine and imprisonment for knowing violations.

Antonio Azevedo 5/26/23

Operator Signature Date

SEE ATTACHED

Hauler Signature Date

Manure / Process Wastewater Tracking Manifest
For
Existing Milk Cow Dairies

General Order No. R5-2007-0035, Attachment D

MANURE AMOUNT HAULED

Enter the amount of manure hauled in tons, manure solids content, and the method used to calculate the amount:

Manure: 24,216.00 tons

Manure Solids Content: 57.6 %

Method used to determine amount of manure:

tons per load per hauler

CERTIFICATION

I declare under penalty of law that I personally examined and am familiar with the information submitted in this document, and that based on my inquiry of those individuals immediately responsible for obtaining the information, I believe that the information is true , accurate, and complete. I am aware that there are significant penalties for submitting false information, including the possibility of a fine and imprisonment for knowing violations.

SEE ATTACHED 5/26/23

Operator Signature Date

Eddie Gomes 5/26/23

Hauler Signature Date

Manure / Process Wastewater Tracking Manifest
For
Existing Milk Cow Dairies

General Order No. R5-2007-0035, Attachment D

INSTRUCTIONS

1) Complete one manifest for each hauling event, for each destination. A hauling event may last for several days, as long as the manure is being hauled to the same destination.
2) If there are multiple destinations, complete a separate form for each destination.
3) The operator must obtain the signature of the hauler upon completion of each manure/process wastewater hauling event.
4) The operator shall submit copies of manure/process wastewater tracking manifest(s) with the Annual Monitoring Report for Existing Milk Cow Dairies.

OPERATOR INFORMATION

Name of Operator: Antonio Azevedo

Name of Dairy Facility: Antonio Azevedo Dairy #1

Facility Address:

2025 W El Nido RD	El Nido	Merced	95317
Number and Street	City	County	Zip Code

Contact Person Name and Phone Number: Antonio Azevedo (209) 230-8765
Name Phone Number

MANURE HAULER INFORMATION

Name of Hauling Company/Person: Gomes Farms LLC

Address of Hauling Company/Person:

P.O. Box 149	El Nido	CA	95317
Number and Street	City	State	Zip Code

Contact Person: Eddie Gomes (209) 564-2431
Name Phone Number

DESTINATION INFORMATION

Composting Facility / Broker / Farmer / Other (identify): Broker

Contact information of Composting Facility, Broker, Farmer, or Other (as identified above):

Gomes Farms LLC (209) 564-2431
Name Phone Number

P.O. Box 149	El Nido	CA	95317
Address	City	State	Zip Code

Destination Address or Assessor's Parcel Number:

	El Nido	95317
Address	City	Zip Code

Coyote Rd	Merced
Street and nearest cross street (if no address)	County

X074-X160-X054-XXXX	Merced
Assessor's Parcel Number	Assessor's Parcel Number County

Last date hauled: 07/31/2023

Manure / Process Wastewater Tracking Manifest
For
Existing Milk Cow Dairies

General Order No. R5-2007-0035, Attachment D

MANURE AMOUNT HAULED

Enter the amount of manure hauled in tons, manure solids content, and the method used to calculate the amount:

Manure: 17,448.00 tons

Manure Solids Content: 72.4 %

Method used to determine amount of manure:

tons per load per hauler

CERTIFICATION

I declare under penalty of law that I personally examined and am familiar with the information submitted in this document, and that based on my inquiry of those individuals immediately responsible for obtaining the information, I believe that the information is true , accurate, and complete. I am aware that there are significant penalties for submitting false information, including the possibility of a fine and imprisonment for knowing violations.

Antonio Azevedo 7/31/23

Operator Signature Date

SEE ATTACHED

Hauler Signature Date

Manure / Process Wastewater Tracking Manifest
For
Existing Milk Cow Dairies

General Order No. R5-2007-0035, Attachment D

MANURE AMOUNT HAULED

Enter the amount of manure hauled in tons, manure solids content, and the method used to calculate the amount:

Manure: 17,448.00 tons

Manure Solids Content: 72.4 %

Method used to determine amount of manure:

tons per load per hauler

CERTIFICATION

I declare under penalty of law that I personally examined and am familiar with the information submitted in this document, and that based on my inquiry of those individuals immediately responsible for obtaining the information, I believe that the information is true , accurate, and complete. I am aware that there are significant penalties for submitting false information, including the possibility of a fine and imprisonment for knowing violations.

SEE ATTACHED

Operator Signature: Eddie Gomes — Date: 7/31/23

Hauler Signature — Date: 7/31/23

Manure / Process Wastewater Tracking Manifest
For
Existing Milk Cow Dairies

General Order No. R5-2007-0035, Attachment D

INSTRUCTIONS

1) Complete one manifest for each hauling event, for each destination. A hauling event may last for several days, as long as the manure is being hauled to the same destination.
2) If there are multiple destinations, complete a separate form for each destination.
3) The operator must obtain the signature of the hauler upon completion of each manure/process wastewater hauling event.
4) The operator shall submit copies of manure/process wastewater tracking manifest(s) with the Annual Monitoring Report for Existing Milk Cow Dairies.

OPERATOR INFORMATION

Name of Operator: Antonio Azevedo

Name of Dairy Facility: Antonio Azevedo Dairy #1

Facility Address:

2025 W El Nido RD	El Nido	Merced	95317
Number and Street	City	County	Zip Code

Contact Person Name and Phone Number: Antonio Azevedo (209) 230-8765
Name Phone Number

MANURE HAULER INFORMATION

Name of Hauling Company/Person: Gomes Farms LLC

Address of Hauling Company/Person:

P.O. Box 149	El Nido	CA	95317
Number and Street	City	State	Zip Code

Contact Person: Eddie Gomes (209) 564-2431
Name Phone Number

DESTINATION INFORMATION

Composting Facility / Broker / Farmer / Other (identify): Broker

Contact information of Composting Facility, Broker, Farmer, or Other (as identified above):

Gomes Farms LLC (209) 564-2431
Name Phone Number

P.O. Box 149	El Nido	CA	95317
Address	City	State	Zip Code

Destination Address or Assessor's Parcel Number:

	El Nido	95317
Address	City	Zip Code

Coyote Rd	Merced
Street and nearest cross street (if no address)	County

X074-X160-X054-XXXX Merced
Assessor's Parcel Number Assessor's Parcel Number County

Last date hauled: 08/23/2023

Manure / Process Wastewater Tracking Manifest
For
Existing Milk Cow Dairies

General Order No. R5-2007-0035, Attachment D

MANURE AMOUNT HAULED

Enter the amount of manure hauled in tons, manure solids content, and the method used to calculate the amount:

Manure: 7,272.00 tons

Manure Solids Content: 57.6 %

Method used to determine amount of manure:

tons per load per hauler

CERTIFICATION

I declare under penalty of law that I personally examined and am familiar with the information submitted in this document, and that based on my inquiry of those individuals immediately responsible for obtaining the information, I believe that the information is true , accurate, and complete. I am aware that there are significant penalties for submitting false information, including the possibility of a fine and imprisonment for knowing violations.

Antonio Azevedo 8/23/23

Operator Signature Date

SEE ATTACHED

Hauler Signature Date

Manure / Process Wastewater Tracking Manifest
For
Existing Milk Cow Dairies

General Order No. R5-2007-0035, Attachment D

MANURE AMOUNT HAULED

Enter the amount of manure hauled in tons, manure solids content, and the method used to calculate the amount:

Manure: 7,272.00 tons

Manure Solids Content: 57.6 %

Method used to determine amount of manure:

tons per load per hauler

CERTIFICATION

I declare under penalty of law that I personally examined and am familiar with the information submitted in this document, and that based on my inquiry of those individuals immediately responsible for obtaining the information, I believe that the information is true , accurate, and complete. I am aware that there are significant penalties for submitting false information, including the possibility of a fine and imprisonment for knowing violations.

SEE ATTACHED 8/23/23

Operator Signature Date

Eddie Gomes 8/23/23

Hauler Signature Date

Manure / Process Wastewater Tracking Manifest
For
Existing Milk Cow Dairies

General Order No. R5-2007-0035, Attachment D

INSTRUCTIONS

1) Complete one manifest for each hauling event, for each destination. A hauling event may last for several days, as long as the manure is being hauled to the same destination.
2) If there are multiple destinations, complete a separate form for each destination.
3) The operator must obtain the signature of the hauler upon completion of each manure/process wastewater hauling event.
4) The operator shall submit copies of manure/process wastewater tracking manifest(s) with the Annual Monitoring Report for Existing Milk Cow Dairies.

OPERATOR INFORMATION

Name of Operator: Antonio Azevedo

Name of Dairy Facility: Antonio Azevedo Dairy #1

Facility Address:

2025 W El Nido RD	El Nido	Merced	95317
Number and Street	City	County	Zip Code

Contact Person Name and Phone Number: Antonio Azevedo (209) 230-8765
Name Phone Number

MANURE HAULER INFORMATION

Name of Hauling Company/Person: Gomes Farms LLC

Address of Hauling Company/Person:

P.O. Box 149	El Nido	CA	95317
Number and Street	City	State	Zip Code

Contact Person: Eddie Gomes (209) 564-2431
Name Phone Number

DESTINATION INFORMATION

Composting Facility / Broker / Farmer / Other (identify): Broker

Contact information of Composting Facility, Broker, Farmer, or Other (as identified above):

Gomes Farms LLC (209) 564-2431
Name Phone Number

P.O. Box 149	El Nido	CA	95317
Address	City	State	Zip Code

Destination Address or Assessor's Parcel Number:

	El Nido	95317
Address	City	Zip Code

Coyote Rd	Merced
Street and nearest cross street (if no address)	County

X740-X160-X054-XXXX Merced
Assessor's Parcel Number Assessor's Parcel Number County

Last date hauled: 11/15/2023

Manure / Process Wastewater Tracking Manifest
For
Existing Milk Cow Dairies

General Order No. R5-2007-0035, Attachment D

MANURE AMOUNT HAULED

Enter the amount of manure hauled in tons, manure solids content, and the method used to calculate the amount:

Manure: 8,436.00 tons

Manure Solids Content: 72.4 %

Method used to determine amount of manure:

tons per load per hauler

CERTIFICATION

I declare under penalty of law that I personally examined and am familiar with the information submitted in this document, and that based on my inquiry of those individuals immediately responsible for obtaining the information, I believe that the information is true , accurate, and complete. I am aware that there are significant penalties for submitting false information, including the possibility of a fine and imprisonment for knowing violations.

Antonio Azevedo 11/15/23

Operator Signature Date

SEE ATTACHED

Hauler Signature Date

Manure / Process Wastewater Tracking Manifest
For
Existing Milk Cow Dairies

General Order No. R5-2007-0035, Attachment D

MANURE AMOUNT HAULED

Enter the amount of manure hauled in tons, manure solids content, and the method used to calculate the amount:

Manure: 8,436.00 tons

Manure Solids Content: 72.4 %

Method used to determine amount of manure:

tons per load per hauler

CERTIFICATION

I declare under penalty of law that I personally examined and am familiar with the information submitted in this document, and that based on my inquiry of those individuals immediately responsible for obtaining the information, I believe that the information is true , accurate, and complete. I am aware that there are significant penalties for submitting false information, including the possibility of a fine and imprisonment for knowing violations.

SEE ATTACHED 11/15/23

Operator Signature Date

Eddie Gomes 11/15/23

Hauler Signature Date

Report of Dairy Well Water Analysis

DELLAVALLE LABORATORY INC

Antonio Azevedo Dairies
2025 W El Nido Road
El Nido CA 95317
00-0021345 08

E-mail:
Copy To: cas.labs@yahoo.com

Lab No.: 23L0777
Sampled By: N Machado
Requested By: Antonio & Alexandria Azevedo
Submitted Date: 12/13/23
Reported Date: 12/20/23
Project: Azevedo Dairy #1
Crop ID:

		Date Sampled	Time Sampled	EC µmhos/cm	EC mmhos/cm	NO_3-N mg/L	Field NH_4-N mg/L	Total NH_4-N mg/L	pH at 25°C unit
1	Ag Well #3	12/11/23	16:00	1420	1.42	11.9	ND		7.5
2	New Well #3	12/11/23	16:22	898	0.90	7.6	ND		7.5
3	New Well #4	12/11/23	16:55	890	0.89	7.4	ND		7.2
4	New Well #5	12/11/23	16:18	1420	1.42	11.7	ND		7.4
5	DW - MB	12/11/23	16:48	257	0.26	1.8	ND		7.5
6	DW - House	12/11/23	16:44	32.6	0.03	0.1	ND		7.7
7	DW - New	12/11/23	16:32	275	0.27	1.9	ND		7.2

***** = Field NH_4-N not Taken.
ND = None Detected

Approved By: Scott M Friedland
Laboratory Director\Technical Manager
ELAP Certification #1595
A2LA Certification #6440.02

Report of Dairy Well Water Analysis

DELLAVALLE LABORATORY INC

Antonio Azevedo Dairies
2025 W El Nido Road
El Nido CA 95317
00-0021345 08

E-mail:
Copy To: cas.labs@yahoo.com

Lab No.: 23L0777
Sampled By: N Machado
Requested By: Antonio & Alexandria Azevedo
Submitted Date: 12/13/23
Reported Date: 12/20/23
Project: Azevedo Dairy #1
Crop ID:

		Date Sampled	Time Sampled	EC µmhos/cm	EC mmhos/cm	NO_3-N mg/L	Nitrogen agricultural use Calcs calculated from nitrate-N lbs/AcFoot	lbs/AcInch
1	Ag Well #3	12/11/23	16:00	**1420**	**1.42**	**11.9**	32.49	2.71
2	New Well #3	12/11/23	16:22	898	**0.90**	**7.6**	20.75	1.73
3	New Well #4	12/11/23	16:55	890	0.89	**7.4**	20.20	1.68
4	New Well #5	12/11/23	16:18	**1420**	**1.42**	**11.7**	31.94	2.66
5	DW - MB	12/11/23	16:48	257	0.26	1.8	4.91	0.41
6	DW - House	12/11/23	16:44	32.6	0.03	0.1	0.27	0.02
7	DW - New	12/11/23	16:32	275	0.27	1.9	5.19	0.43

Water for Crop Use **Nutrient Management**	Total Salts	Total Salts	Nitrate Nitrogen
Low Levels	< 900	< 0.90	< 2.0
Significant Levels	900-2200	0.90-2.2	2.0-10.0
High Levels	2200+	2.2+	10.0+

Sampling abbreviations: H.B. = hose bib, S.P. = stand pipe, Dom. = domestic well, IR = irrigation well, AG = ag well.
Nitrate exceeds Water Quality MCL levels if results are above 10 mg/l nitrate-nitrogen NO3-N (equivalent to 45 mg/l nitrate, NO3).
Total Salt results are used to monitor changes of salt in the well aquifers between annual tests.
MCL = Maximum Contaminant Level according to the California Domestic Water Quality and Monitoring Regulations (Title 22)
MDL = Method Detection Limit; **RL** = Reporting Limit, mg/L = ppm.
SM = Standard Methods for the Examination of Water and Wastewater
EPA = Environmental Protection Agency methods used unless otherwise indicated.

DELLAVALLE™
LABORATORY INC

Antonio Azevedo Dairies
2025 W El Nido Road
El Nido, CA 95317

Account# 00-0021345
Account Manager: Ben Nydam
Submitted By: Antonio & Alexandria Azevedo
Ranch: Azevedo Dairy #1

Received: 12/13/2023 7:00
Reported: 12/20/2023 14:23

Samples in this Report

Lab ID	Sample	Matrix	Sampled By	Crop	Date Sampled
23L0777-01	Ag Well #3	Ag Water	N Machado		12/11/2023 16:00
23L0777-02	New Well #3	Ag Water	N Machado		12/11/2023 16:22
23L0777-03	New Well #4	Ag Water	N Machado		12/11/2023 16:55
23L0777-04	New Well #5	Ag Water	N Machado		12/11/2023 16:18
23L0777-05	DW - MB	Ag Water	N Machado		12/11/2023 16:48
23L0777-06	DW - House	Ag Water	N Machado		12/11/2023 16:44
23L0777-07	DW - New	Ag Water	N Machado		12/11/2023 16:32

Default Cooler Temperature on Receipt °C: 1.1
Containers Intact
COC/Labels Agree
Received On Ice

Notes and Definitions

Item	Definition
H	Hold Time Exceeded
MCL	Drinking Water Maximum Contaminant Level
ND	Analyte NOT DETECTED at or above the reporting limit.
NES	Not Enough Sample
*	Not Taken
RPD	Relative Percent Difference
%REC	Percent Recovery
Source	Sample that was matrix spiked or duplicated.

Scott McFriedland

Laboratory Director/Technical Manager

ELAP Certification #1595
A2LA Certification #6440.02

The results in this report apply to the samples as received and were analyzed in accordance with the chain of custody document. This analytical report must be reproduced in its entirety. All results listed in this report are for the exclusive use of the submitting party. Dellavalle Laboratory, Inc. assumes no responsibility for report alteration, separation, detachment or third party interpretation.

DELLAVALLE™
LABORATORY INC

Antonio Azevedo Dairies
2025 W El Nido Road
El Nido, CA 95317

Account# 00-0021345
Account Manager: Ben Nydam
Submitted By: Antonio & Alexandria Azevedo
Ranch: Azevedo Dairy #1

Received: 12/13/2023 7:00
Reported: 12/20/2023 14:23

Sample Results

Sample: Ag Well #3
23L0777-01 (Water)

Sampled: 12/11/2023 16:00
Sampled By: N Machado

Analyte	Result	Units	Reporting Limit	DIL	DW MCL	Date/Time Analyzed	Method	Notes	Batch
Electrical Conductivity	**1.42**	mmhos/cm	0.01	1		12/14/23 17:03	SM 2510 B		BEL0616
Electrical Conductivity umhos	**1420**	umhos/cm	10.0	1		12/14/23 17:03	SM 2510 B		BEL0616
Ammonia (as N)	ND	mg/L	0.00	1		12/11/23 16:00	Field		BEL0441
Nitrate Nitrogen as NO3N	**11.9**	mg/L	0.1	1	10	12/13/23 22:04	EPA 300.0		BEL0447
Temperature	**25.0**	units	0.0	1		12/14/23 17:03	SM 4500-H+	H	BEL0616
pH	**7.5**	units	1.0	1		12/14/23 17:03	SM 4500-H+	H	BEL0616

The results in this report apply to the samples as received and were analyzed in accordance with the chain of custody document. This analytical report must be reproduced in its entirety. All results listed in this report are for the exclusive use of the submitting party. Dellavalle Laboratory, Inc. assumes no responsibility for report alteration, separation, detachment or third party interpretation.

DELLAVALLE™
LABORATORY INC

Antonio Azevedo Dairies
2025 W El Nido Road
El Nido, CA 95317

Account# 00-0021345
Account Manager: Ben Nydam
Submitted By: Antonio & Alexandria Azevedo
Ranch: Azevedo Dairy #1

Received: 12/13/2023 7:00
Reported: 12/20/2023 14:23

Sample Results
(Continued)

Sample: New Well #3
23L0777-02 (Water)

Sampled: 12/11/2023 16:22
Sampled By: N Machado

Analyte	Result	Units	Reporting Limit	DIL	DW MCL	Date/Time Analyzed	Method	Notes	Batch
Electrical Conductivity	**0.90**	mmhos/cm	0.01	1		12/14/23 17:05	SM 2510 B		BEL0616
Electrical Conductivity umhos	**898**	umhos/cm	10.0	1		12/14/23 17:05	SM 2510 B		BEL0616
Ammonia (as N)	ND	mg/L	0.00	1		12/11/23 16:22	Field		BEL0441
Nitrate Nitrogen as NO3N	**7.6**	mg/L	0.1	1	10	12/13/23 22:25	EPA 300.0		BEL0447
Temperature	**25.0**	units	0.0	1		12/14/23 17:05	SM 4500-H+	H	BEL0616
pH	**7.5**	units	1.0	1		12/14/23 17:05	SM 4500-H+	H	BEL0616

The results in this report apply to the samples as received and were analyzed in accordance with the chain of custody document. This analytical report must be reproduced in its entirety. All results listed in this report are for the exclusive use of the submitting party. Dellavalle Laboratory, Inc. assumes no responsibility for report alteration, separation, detachment or third party interpretation.

DELLAVALLE™
LABORATORY INC

Antonio Azevedo Dairies
2025 W El Nido Road
El Nido, CA 95317

Account# 00-0021345
Account Manager: Ben Nydam
Submitted By: Antonio & Alexandria Azevedo
Ranch: Azevedo Dairy #1

Received: 12/13/2023 7:00
Reported: 12/20/2023 14:23

Sample Results
(Continued)

Sample: New Well #4
23L0777-03 (Water)

Sampled: 12/11/2023 16:55
Sampled By: N Machado

Analyte	Result	Units	Reporting Limit	DIL	DW MCL	Date/Time Analyzed	Method	Notes	Batch
Electrical Conductivity	**0.89**	mmhos/cm	0.01	1		12/14/23 17:12	SM 2510 B		BEL0616
Electrical Conductivity umhos	**890**	umhos/cm	10.0	1		12/14/23 17:12	SM 2510 B		BEL0616
Ammonia (as N)	ND	mg/L	0.00	1		12/11/23 16:55	Field		BEL0441
Nitrate Nitrogen as NO3N	**7.4**	mg/L	0.1	1	10	12/14/23 01:13	EPA 300.0		BEL0447
Temperature	**25.0**	units	0.0	1		12/14/23 17:12	SM 4500-H+	H	BEL0616
pH	**7.2**	units	1.0	1		12/14/23 17:12	SM 4500-H+	H	BEL0616

The results in this report apply to the samples as received and were analyzed in accordance with the chain of custody document. This analytical report must be reproduced in its entirety. All results listed in this report are for the exclusive use of the submitting party. Dellavalle Laboratory, Inc. assumes no responsibility for report alteration, separation, detachment or third party interpretation.

DELLAVALLE™
LABORATORY INC

Antonio Azevedo Dairies
2025 W El Nido Road
El Nido, CA 95317

Account# 00-0021345
Account Manager: Ben Nydam
Submitted By: Antonio & Alexandria Azevedo
Ranch: Azevedo Dairy #1

Received: 12/13/2023 7:00
Reported: 12/20/2023 14:23

Sample Results
(Continued)

Sample: New Well #5
23L0777-04 (Water)

Sampled: 12/11/2023 16:18
Sampled By: N Machado

Analyte	Result	Units	Reporting Limit	DIL	DW MCL	Date/Time Analyzed	Method	Notes	Batch
Electrical Conductivity	**1.42**	mmhos/cm	0.01	1		12/14/23 17:14	SM 2510 B		BEL0616
Electrical Conductivity umhos	**1420**	umhos/cm	10.0	1		12/14/23 17:14	SM 2510 B		BEL0616
Ammonia (as N)	ND	mg/L	0.00	1		12/11/23 16:18	Field		BEL0441
Nitrate Nitrogen as NO3N	**11.7**	mg/L	0.1	1	10	12/14/23 01:33	EPA 300.0		BEL0447
Temperature	**25.0**	units	0.0	1		12/14/23 17:14	SM 4500-H+	H	BEL0616
pH	**7.4**	units	1.0	1		12/14/23 17:14	SM 4500-H+	H	BEL0616

The results in this report apply to the samples as received and were analyzed in accordance with the chain of custody document. This analytical report must be reproduced in its entirety. All results listed in this report are for the exclusive use of the submitting party. Dellavalle Laboratory, Inc. assumes no responsibility for report alteration, separation, detachment or third party interpretation.

DELLAVALLE™
LABORATORY INC

Antonio Azevedo Dairies
2025 W El Nido Road
El Nido, CA 95317

Account# 00-0021345
Account Manager: Ben Nydam
Submitted By: Antonio & Alexandria Azevedo
Ranch: Azevedo Dairy #1

Received: 12/13/2023 7:00
Reported: 12/20/2023 14:23

Sample Results
(Continued)

Sample: DW - MB
23L0777-05 (Water)

Sampled: 12/11/2023 16:48
Sampled By: N Machado

Analyte	Result	Units	Reporting Limit	DIL	DW MCL	Date/Time Analyzed	Method	Notes	Batch
Electrical Conductivity	**0.26**	mmhos/cm	0.01	1		12/14/23 17:15	SM 2510 B		BEL0616
Electrical Conductivity umhos	**257**	umhos/cm	10.0	1		12/14/23 17:15	SM 2510 B		BEL0616
Ammonia (as N)	ND	mg/L	0.00	1		12/11/23 16:48	Field		BEL0441
Nitrate Nitrogen as NO3N	**1.8**	mg/L	0.1	1	10	12/14/23 01:54	EPA 300.0		BEL0447
Temperature	**25.0**	units	0.0	1		12/14/23 17:15	SM 4500-H+	H	BEL0616
pH	**7.5**	units	1.0	1		12/14/23 17:15	SM 4500-H+	H	BEL0616

The results in this report apply to the samples as received and were analyzed in accordance with the chain of custody document. This analytical report must be reproduced in its entirety. All results listed in this report are for the exclusive use of the submitting party. Dellavalle Laboratory, Inc. assumes no responsibility for report alteration, separation, detachment or third party interpretation.

DELLAVALLE™
LABORATORY INC

Antonio Azevedo Dairies
2025 W El Nido Road
El Nido, CA 95317

Account# 00-0021345
Account Manager: Ben Nydam
Submitted By: Antonio & Alexandria Azevedo
Ranch: Azevedo Dairy #1

Received: 12/13/2023 7:00
Reported: 12/20/2023 14:23

Sample Results
(Continued)

Sample: DW - House
23L0777-06 (Water)

Sampled: 12/11/2023 16:44
Sampled By: N Machado

Analyte	Result	Units	Reporting Limit	DIL	DW MCL	Date/Time Analyzed	Method	Notes	Batch
Electrical Conductivity	**0.03**	mmhos/cm	0.01	1		12/14/23 17:17	SM 2510 B		BEL0616
Electrical Conductivity umhos	**32.6**	umhos/cm	10.0	1		12/14/23 17:17	SM 2510 B		BEL0616
Ammonia (as N)	ND	mg/L	0.00	1		12/11/23 16:44	Field		BEL0441
Nitrate Nitrogen as NO3N	**0.1**	mg/L	0.1	1	10	12/14/23 02:15	EPA 300.0		BEL0447
Temperature	**25.0**	units	0.0	1		12/14/23 17:17	SM 4500-H+	H	BEL0616
pH	**7.7**	units	1.0	1		12/14/23 17:17	SM 4500-H+	H	BEL0616

The results in this report apply to the samples as received and were analyzed in accordance with the chain of custody document. This analytical report must be reproduced in its entirety. All results listed in this report are for the exclusive use of the submitting party. Dellavalle Laboratory, Inc. assumes no responsibility for report alteration, separation, detachment or third party interpretation.

DELLAVALLE™
LABORATORY INC

Antonio Azevedo Dairies
2025 W El Nido Road
El Nido, CA 95317

Account# 00-0021345
Account Manager: Ben Nydam
Submitted By: Antonio & Alexandria Azevedo
Ranch: Azevedo Dairy #1

Received: 12/13/2023 7:00
Reported: 12/20/2023 14:23

Sample Results
(Continued)

Sample: DW - New
23L0777-07 (Water)

Sampled: 12/11/2023 16:32
Sampled By: N Machado

Analyte	Result	Units	Reporting Limit	DIL	DW MCL	Date/Time Analyzed	Method	Notes	Batch
Electrical Conductivity	**0.27**	mmhos/cm	0.01	1		12/14/23 17:18	SM 2510 B		BEL0616
Electrical Conductivity umhos	**275**	umhos/cm	10.0	1		12/14/23 17:18	SM 2510 B		BEL0616
Ammonia (as N)	ND	mg/L	0.00	1		12/11/23 16:32	Field		BEL0441
Nitrate Nitrogen as NO3N	**1.9**	mg/L	0.1	1	10	12/14/23 02:36	EPA 300.0		BEL0447
Temperature	**25.0**	units	0.0	1		12/14/23 17:18	SM 4500-H+	H	BEL0616
pH	**7.2**	units	1.0	1		12/14/23 17:18	SM 4500-H+	H	BEL0616

The results in this report apply to the samples as received and were analyzed in accordance with the chain of custody document. This analytical report must be reproduced in its entirety. All results listed in this report are for the exclusive use of the submitting party. Dellavalle Laboratory, Inc. assumes no responsibility for report alteration, separation, detachment or third party interpretation.

DELLAVALLE™ LABORATORY INC

Antonio Azevedo Dairies
2025 W El Nido Road
El Nido, CA 95317

Account# 00-0021345
Account Manager: Ben Nydam
Submitted By: Antonio & Alexandria Azevedo
Ranch: Azevedo Dairy #1

Received: 12/13/2023 7:00
Reported: 12/20/2023 14:23

Quality Control

Analyte	Result	Qual	Reporting Limit	Units	Spike Level	Source Result	%REC	%REC Limits	RPD	RPD Limit
Batch: BEL0447										
Blank (BEL0447-BLK1)					Prepared & Analyzed: 12/13/2023					
Nitrate Nitrogen as NO3N	ND		0.1	mg/L						
Blank (BEL0447-BLK2)					Prepared & Analyzed: 12/13/2023					
Nitrate Nitrogen as NO3N	ND		0.1	mg/L						
Blank (BEL0447-BLK3)					Prepared: 12/13/2023 Analyzed: 12/14/2023					
Nitrate Nitrogen as NO3N	ND		0.1	mg/L						
Blank (BEL0447-BLK4)					Prepared: 12/13/2023 Analyzed: 12/14/2023					
Nitrate Nitrogen as NO3N	ND		0.1	mg/L						
LCS (BEL0447-BS1)					Prepared & Analyzed: 12/13/2023					
Nitrate Nitrogen as NO3N	4.9		0.1	mg/L	5.000		98.1	90-110		
LCS (BEL0447-BS2)					Prepared: 12/13/2023 Analyzed: 12/14/2023					
Nitrate Nitrogen as NO3N	4.9		0.1	mg/L	5.000		98.5	90-110		
LCS (BEL0447-BS3)					Prepared: 12/13/2023 Analyzed: 12/14/2023					
Nitrate Nitrogen as NO3N	0.07		0.1	mg/L	5.000		1.44	90-110		
Duplicate (BEL0447-DUP1)		**Source: 23L0636-01**			Prepared: 12/13/2023 Analyzed: 12/14/2023					
Nitrate Nitrogen as NO3N	0.04		0.1	mg/L		0.04			5.26	10
Duplicate (BEL0447-DUP2)		**Source: 23L0777-05**			Prepared: 12/13/2023 Analyzed: 12/14/2023					
Nitrate Nitrogen as NO3N	1.8		0.1	mg/L		1.8			0.112	10
Duplicate (BEL0447-DUP3)		**Source: 23L0681-01**			Prepared: 12/13/2023 Analyzed: 12/14/2023					
Nitrate Nitrogen as NO3N	0.04		0.1	mg/L		0.04			2.74	10
Matrix Spike (BEL0447-MS1)		**Source: 23L0636-01**			Prepared & Analyzed: 12/13/2023					
Nitrate Nitrogen as NO3N	4.8		0.1	mg/L	5.000	0.04	96.0	90-110		
Matrix Spike (BEL0447-MS2)		**Source: 23L0777-05**			Prepared: 12/13/2023 Analyzed: 12/14/2023					
Nitrate Nitrogen as NO3N	6.7		0.1	mg/L	5.000	1.8	98.2	90-110		
Matrix Spike (BEL0447-MS3)		**Source: 23L0681-01**			Prepared: 12/13/2023 Analyzed: 12/14/2023					
Nitrate Nitrogen as NO3N	4.9		0.1	mg/L	5.000	0.04	98.0	90-110		
Reference (BEL0447-SRM1)					Prepared & Analyzed: 12/13/2023					
Nitrate Nitrogen as NO3N	10.0			mg/L	10.00		99.7	90-110		
Reference (BEL0447-SRM2)					Prepared: 12/13/2023 Analyzed: 12/14/2023					
Nitrate Nitrogen as NO3N	9.8			mg/L	10.00		98.5	90-110		

The results in this report apply to the samples as received and were analyzed in accordance with the chain of custody document. This analytical report must be reproduced in its entirety. All results listed in this report are for the exclusive use of the submitting party. Dellavalle Laboratory, Inc. assumes no responsibility for report alteration, separation, detachment or third party interpretation.

DELLAVALLE™ LABORATORY INC

Antonio Azevedo Dairies
2025 W El Nido Road
El Nido, CA 95317

Account# 00-0021345
Account Manager: Ben Nydam
Submitted By: Antonio & Alexandria Azevedo
Ranch: Azevedo Dairy #1

Received: 12/13/2023 7:00
Reported: 12/20/2023 14:23

Quality Control
(Continued)

Analyte	Result	Qual	Reporting Limit	Units	Spike Level	Source Result	%REC	%REC Limits	RPD	RPD Limit
Batch: BEL0447 (Continued)										
Reference (BEL0447-SRM3)					Prepared: 12/13/2023	Analyzed: 12/14/2023				
Nitrate Nitrogen as NO3N	9.8			mg/L	10.00		98.2	90-110		
Reference (BEL0447-SRM4)					Prepared: 12/13/2023	Analyzed: 12/14/2023				
Nitrate Nitrogen as NO3N	9.6			mg/L	10.00		95.5	90-110		

The results in this report apply to the samples as received and were analyzed in accordance with the chain of custody document. This analytical report must be reproduced in its entirety. All results listed in this report are for the exclusive use of the submitting party. Dellavalle Laboratory, Inc. assumes no responsibility for report alteration, separation, detachment or third party interpretation.

DELLAVALLE™ LABORATORY INC

Antonio Azevedo Dairies
2025 W El Nido Road
El Nido, CA 95317

Account# 00-0021345
Account Manager: Ben Nydam
Submitted By: Antonio & Alexandria Azevedo
Ranch: Azevedo Dairy #1

Received: 12/13/2023 7:00
Reported: 12/20/2023 14:23

Quality Control
(Continued)

Analyte	Result	Qual	Reporting Limit	Units	Spike Level	Source Result	%REC	%REC Limits	RPD	RPD Limit
Batch: BEL0616										
Blank (BEL0616-BLK1)					Prepared & Analyzed: 12/14/2023					
Electrical Conductivity	ND		0.01	mmhos/cm						
Temperature	25.0		0.0	units						
Electrical Conductivity umhos	ND		10.0	umhos/cm						
pH	5.6		1.0	units						
Blank (BEL0616-BLK2)					Prepared & Analyzed: 12/14/2023					
Temperature	25.0		0.0	units						
Electrical Conductivity	ND		0.01	mmhos/cm						
pH	7.6		1.0	units						
Electrical Conductivity umhos	ND		10.0	umhos/cm						
Blank (BEL0616-BLK3)					Prepared & Analyzed: 12/14/2023					
Electrical Conductivity	ND		0.01	mmhos/cm						
Temperature	25.0		0.0	units						
Electrical Conductivity umhos	ND		10.0	umhos/cm						
pH	7.4		1.0	units						
Duplicate (BEL0616-DUP1)		**Source: 23L0777-02**			Prepared & Analyzed: 12/14/2023					
Electrical Conductivity	0.90		0.01	mmhos/cm		0.90			0.0779	10
Electrical Conductivity umhos	899		10.0	umhos/cm		898			0.0779	10
pH	7.5		1.0	units		7.5			0.00	10
Duplicate (BEL0616-DUP2)		**Source: 23L0780-02**			Prepared & Analyzed: 12/14/2023					
Electrical Conductivity	0.45		0.01	mmhos/cm		0.44			1.88	10
Electrical Conductivity umhos	446		10.0	umhos/cm		438			1.88	10
pH	7.5		1.0	units		7.4			0.402	10
Reference (BEL0616-SRM1)					Prepared & Analyzed: 12/14/2023					
Electrical Conductivity	441			umhos/cm	426.0		103	90-110		
Reference (BEL0616-SRM2)					Prepared & Analyzed: 12/14/2023					
pH	7.5			units	7.520		100	67021-101.32		
Reference (BEL0616-SRM3)					Prepared & Analyzed: 12/14/2023					
Electrical Conductivity	1050			umhos/cm	1000		105	90-110		
Electrical Conductivity umhos	1050			umhos/cm	1000		105	90-110		
Reference (BEL0616-SRM4)					Prepared & Analyzed: 12/14/2023					
Electrical Conductivity	1020			umhos/cm	1000		102	90-110		
Electrical Conductivity umhos	1020			umhos/cm	1000		102	90-110		
Reference (BEL0616-SRM5)					Prepared & Analyzed: 12/14/2023					
Electrical Conductivity	1030			umhos/cm	1000		103	90-110		

The results in this report apply to the samples as received and were analyzed in accordance with the chain of custody document. This analytical report must be reproduced in its entirety. All results listed in this report are for the exclusive use of the submitting party. Dellavalle Laboratory, Inc. assumes no responsibility for report alteration, separation, detachment or third party interpretation.

DELLAVALLE™ LABORATORY INC

Antonio Azevedo Dairies
2025 W El Nido Road
El Nido, CA 95317

Account# 00-0021345
Account Manager: Ben Nydam
Submitted By: Antonio & Alexandria Azevedo
Ranch: Azevedo Dairy #1

Received: 12/13/2023 7:00
Reported: 12/20/2023 14:23

Quality Control
(Continued)

Analyte	Result	Qual	Reporting Limit	Units	Spike Level	Source Result	%REC	%REC Limits	RPD	RPD Limit
Batch: BEL0616 (Continued)										
Reference (BEL0616-SRM5)					Prepared & Analyzed: 12/14/2023					
Electrical Conductivity umhos	1030			umhos/cm	1000		103	90-110		
Reference (BEL0616-SRM6)					Prepared & Analyzed: 12/14/2023					
pH	4.0			units	4.000		101	97.5-102.5		
Reference (BEL0616-SRM7)					Prepared & Analyzed: 12/14/2023					
pH	4.0			units	4.000		100	97.5-102.5		
Reference (BEL0616-SRM8)					Prepared & Analyzed: 12/14/2023					
pH	4.0			units	4.000		100	97.5-102.5		

The results in this report apply to the samples as received and were analyzed in accordance with the chain of custody document. This analytical report must be reproduced in its entirety. All results listed in this report are for the exclusive use of the submitting party. Dellavalle Laboratory, Inc. assumes no responsibility for report alteration, separation, detachment or third party interpretation.

12/13/23 07:00 23L0777

JG

DELLAVALLE LABORATORY, INC.

1910 W. McKinley Avenue, Suite 110 • Fresno, CA 93728
www.dellavallelab.com 559 233-6129 • 800 228-9896 • Fax 559 268-8174

WATER WORK REQUEST

Acct No. / Cons.
Bill To: 21345 | 8

Purchase Order No. _____ Results Needed By _____

Client: **Azevedo Dairies, Antonio**
Address: 2025 W El Nido Road
City, State, Zip: El Nido, CA 95317
Phone _____ Fax _____
Cell/Email _____

Copy to: Cardoso Ag Sevices - cas.labs@yahoo.com

Requested by: Antonio & Alexandria Azevedo - (209) 261-4771

Ranch: Azevedo Dairy #1

Date sampled: 12/11/23

Sampled by: nmachado

[X] QA/QC Document [X] Copy of Chain [ ] RWQCB

No. of Samples: 7 No. Bottles: 7

Water Type: [ ] Drinking [ ] Wastewater
[ ] Ag Water [ ] Ground Water [ ] Mon. Well
[ ] Supply Water [ ] Other _____

Analysis and Bottles Required: *(Please Indicate Analysis)*

( ) DWW1: (EC, pH, NO_3-N, **NH_4-N Field Test)**
(1) l L plastic, unpreserved (white)

( ) DWW2: (DWW1 Plus SO_4, CO_3, HCO_3, Cl, Ca, Mg, Na, TDS)
(1) l L plastic, unpreserved (white)

( ) DCW1: (EC, NO_3-N, TDS)
(1) l L plastic, unpreserved (white)

( ) DPW1: (EC, pH, NO_3-N, NH_4-N, TKN, TDS, TP, TK)
(1) l L plastic, unpreserved (white)

( ) DPW2: (DPW1 Plus Ca, Mg, Na, HCO_3, CO_3, SO_4, Cl)
(1) l L plastic, unpreserved (white)

( ) Other _____

DESCRIPTION OF SAMPLES		Date Sampled	Time Sampled	Field NH4-N (mg/L)	Received Temp °C	H/K
1. Agwell #3	Sampled From:	12/11/23	4pm	Ø	1.1	.6
2. Newwell #3	Sampled From:	12/11/23	422p	Ø	2.6	1.9
3. Newwell #4	Sampled From:	12/11/23	455p	Ø	0.8	1.5
4. Newwell #5	Sampled From:	12/11/23	418p	Ø	1.1	.9
5. DW-MB	Sampled From:	12/11/23	448p	Ø	2.4	1.4
6. DW-House	Sampled From:	12/11/23	444p	Ø	0.4	1.6
7. DW-new	Sampled From:	12/11/23	432p	Ø	-0.1	1.5
8.	Sampled From:					
9.	Sampled From:					
10.	Sampled From:					

IR Thermometer SN: 200560723
Correction Factor: 0°C
Calibration Due: 03/06/2024
Location: Laboratory
IR Thermometer SN: 221511276
Correction Factor: 0°C
Calibration Due: 03/06/2024
Location: Hanford

CHAIN OF CUSTODY

Carrier	Signature	Company	Received (Date/Time)	Relinquished (Date/Time)
First	nmachado	AzevedoDairy	12/11/23 455p	12/12/23 730A
Second	mpedroso	CASInc	12/12/23 730A	12/12/23 3:30p
Third	[illegible]	DW	12/12/23 3:36pm	
Fourth	[illegible]	DW	12/13 07:00	

I guarantee that as the client, or on behalf of the client named, I have the authority to contract the above requested services. Should it be found that I do not have such authority, I agree to be personally liable for all costs and, if there should be action against me for this breach, reasonable attorneys' fees. It is understood that payment is expected to be cash with samples unless terms have been previously arranged. Terms are net 30 days; overdue accounts will be charged a dated damage fee of 2% per month (annually 24 %) or $5.00 per month whichever is greater.

If payment is not made when due and a legitimate dispute exists concerning the product or services of Dellavalle Laboratory, Inc., it will be submitted to mediation under the Rules and Procedures of Creative Alternative to Litigation, Inc. (cal). If the dispute is not resolved in mediation, then the dispute will be submitted to binding arbitration through cal under its Rules and Procedures. The prties will equally bear the costs of mediation/arbitration. If, however, the mediator declares that no legitimate dispute exists, then debtor will pay all mediation and arbitration costs, and in the event of arbitration, reasonable attorneys' fees of Dellavalle Laboratory.

Invoicing Information:

Sampling Hrs ____ Miles ____ Consulting ____

Amt Paid ____ Rec By ____ Check No. ____

Shipping
$ _____ In
$ _____ Out
Date _____

Signature _____

Sample received in cooler with ice?
[ ] Yes [ ] No

ctl:update 2020

Shipping Information: Shipped In ☐ Picked-Up ☐ Walk In ☑ DLI Sampler ☐ Other ☐ _____

Container: Ice Chest ☑ Box ☐ None ☐ **Refrigerant:** Wet Ice ☑ Blue Ice ☐ None ☐

Samples Preserved with HNO_3 or H_2SO_4 were: ☐ Received Preserved ☐ Preserved Upon Receipt at Laboratory

Type of Container(s) Received		Sample Number 1	2	3	4	5	6	7	8	9	10
Sample Containers for Internal (DLI) Use *(Containers that go into the Lab)*											
Plastics	100 mL sterile plastic $Na_2S_2O_3$ (Green)										
	250 mL unpreserved (White) Plastic	1	1	1	1	1	1	1			
	250 mL HNO_3 (Red) Plastic										
	* pH Value										
	250 mL H_2SO_4 (Yellow) Plastic										
	* pH Value										
	500 mL unpreserved (White) Plastic										
	1 L unpreserved (White) Plastic	+	+	+	+	+	+	+			
	1 L unpreserved (BOD) (Purple) Plastic										
	500mL unpreserved (White) Glass										
	PO4-P Kit										
	Other:										
Sample Containers for Subcontracted ("Send Out") Analyses *(Containers that go in the Subcontract ("Send Out") Refrigerator)*											
Plastics	100 mL sterile plastic $Na_2S_2O_3$ (Green)										
	250 mL unpreserved (White) Plastic										
	250 mL HNO_3 (Red) Plastic										
	250 mL H_2SO_4 (Yellow) Plastic										
	500 mL HNO_3 (Red)										
	1 L unpreserved (White) Plastic										
	1 L unpreserved (BOD) (Purple) Plastic										
	1 L HNO_3 (Red)										
VOA Vials	40 mL AG VOA, $Na_2S_2O_3$ + MCAA										
	40 mL AG VOA, $Na_2S_2O_3$										
	40mL AG VOA unpreserved (White) (Set of 3										
	40 mL AG VOA, $Na_2S_2O_3$ (Green) (Set of 3)										
	40mL VOA, H_3PO_4 (Set of 3)										
	40 mL VOA, HCl (Blue) (Set of 3)										
	40 mL VOA, $Na_2S_2O_3$ (Green) (Set of 3)										
Glass	250 mL AG unpreserved (White)										
	250 mL AG H_2SO_4 (Yellow)										
	250 mL AG $Na_2S_2O_3$ (Green)										
	250 mL AG $Na_2S_2O_3$ + MCAA										
	500 mL glass unpreserved (White)										
	500 mL AG HCl (Blue)										
	1 L AG unpreserved (White)										
	1 L AG H_2SO_4 (Yellow)										
	1 L AG $Na_2S_2O_3$ (Green)										
	1 L AG HCl (Blue)										
Special	Cr^{6+} - 50mL Plastic w/Borate/HCO_3/CO_3										
	Cyanide - 500 mL NaOH										
	Asbestos - 1L P wrapped in foil (Set of 2)										
	Sulfide - 1 L **AG** or **P** NaOH + ZnAc										
	Chlorite/Bromate - 250 mL AG with EDA										
	HAA5 - 250mL AG Ammonium Chlorite										
	DO KIT										
	Other:										
	Other:										

12/13/23 07:00 23L0777

SENDOUT

DELLAVALLE LABORATORY INC

Report of Dairy Well Water Analysis

Lab No.: 23I0512
Sampled By: D. Silva
Requested By: Antonio & Alexandria Azevedo
Submitted Date: 09/07/23
Reported Date: 09/11/23
Project: Azevedo Dairy #1
Crop ID:

Antonio Azevedo Dairies
2025 W El Nido Road
El Nido CA 95317
00-0021345 08

E-mail:
Copy To: cas.labs@yahoo.com

		Date Sampled	Time Sampled	EC µmhos/cm	EC mmhos/cm	NO_3-N mg/L	Field NH_4-N mg/L	Total NH_4-N mg/L	pH at 25°C unit
1	IW #2	9/6/23	9:00	506	0.51	0.5	ND		8.0
2	NW #2	9/6/23	9:07	587	0.59	1.4	ND		8.0
3	NW #1	9/6/23	9:10	1650	1.65	29.8	ND		7.4

***** = Field NH4-N not Taken.
ND = None Detected

Approved By: Scott M Friedland

Laboratory Director\Technical Manager
ELAP Certification #1595
A2LA Certification #6440.02

DELLAVALLE LABORATORY INC

Report of Dairy Well Water Analysis

Lab No.: 23I0512
Sampled By: D. Silva
Requested By: Antonio & Alexandria Azevedo
Submitted Date: 09/07/23
Reported Date: 09/11/23
Project: Azevedo Dairy #1
Crop ID:

Antonio Azevedo Dairies
2025 W El Nido Road
El Nido CA 95317
00-0021345 08

E-mail:
Copy To: cas.labs@yahoo.com

		Date Sampled	Time Sampled	EC µmhos/cm	EC mmhos/cm	NO_3-N mg/L	Nitrogen agricultural use Calcs *calculated from nitrate-N* lbs/AcFoot	lbs/AcInch
1	IW #2	9/6/23	9:00	506	0.51	0.5	1.37	0.11
2	NW #2	9/6/23	9:07	587	0.59	1.4	3.82	0.32
3	NW #1	9/6/23	9:10	**1650**	**1.65**	**29.8**	81.35	6.78

Water for Crop Use	Total	Total	Nitrate
Nutrient Management	Salts	Salts	Nitrogen
Low Levels	< 900	< 0.90	< 2.0
Significant Levels	900-2200	0.90-2.2	2.0-10.0
High Levels	2200+	2.2+	10.0+

Sampling abbreviations: H.B. = hose bib, S.P. = stand pipe, Dom. = domestic well, IR = irrigation well, AG = ag well.

Nitrate exceeds Water Quality MCL levels if results are above 10 mg/l nitrate-nitrogen NO3-N (equivalent to 45 mg/l nitrate, NO3).

Total Salt results are used to monitor changes of salt in the well aquifers between annual tests.

MCL = Maximum Contaminant Level according to the California Domestic Water Quality and Monitoring Regulations (Title 22)

MDL = Method Detection Limit; **RL** = Reporting Limit, mg/L = ppm.

SM = Standard Methods for the Examination of Water and Wastewater

EPA = Environmental Protection Agency methods used unless otherwise indicated.

DELLAVALLE™
LABORATORY INC

Antonio Azevedo Dairies
2025 W El Nido Road
El Nido, CA 95317

Account# 00-0021345
Account Manager: Ben Nydam
Submitted By: Antonio & Alexandria Azevedo
Ranch: Azevedo Dairy #1

Received: 09/07/2023 16:20
Reported: 09/11/2023 11:17

Samples in this Report

Lab ID	Sample	Matrix	Sampled By	Crop	Date Sampled
23I0512-01	IW #2	Supply Water	D. Silva		09/06/2023 9:00
23I0512-02	NW #2	Supply Water	D. Silva		09/06/2023 9:07
23I0512-03	NW #1	Supply Water	D. Silva		09/06/2023 9:10

Default Cooler Temperature on Receipt °C: 7.2
Containers Intact
COC/Labels Agree
Preservation Confirmed
Received On Ice

Notes and Definitions

Item	Definition
H	Hold Time Exceeded
MCL	Drinking Water Maximum Contaminant Level
ND	Analyte NOT DETECTED at or above the reporting limit.
NES	Not Enough Sample
*	Not Taken
RPD	Relative Percent Difference
%REC	Percent Recovery
Source	Sample that was matrix spiked or duplicated.

Scott McFriedland

Laboratory Director/Technical Manager

ELAP Certification #1595
A2LA Certification #6440.02

The results in this report apply to the samples as received and were analyzed in accordance with the chain of custody document. This analytical report must be reproduced in its entirety. All results listed in this report are for the exclusive use of the submitting party. Dellavalle Laboratory, Inc. assumes no responsibility for report alteration, separation, detachment or third party interpretation.

DELLAVALLE™
LABORATORY INC

Antonio Azevedo Dairies
2025 W El Nido Road
El Nido, CA 95317

Account# 00-0021345
Account Manager: Ben Nydam
Submitted By: Antonio & Alexandria Azevedo
Ranch: Azevedo Dairy #1

Received: 09/07/2023 16:20
Reported: 09/11/2023 11:17

Sample Results

Sample: IW #2
23I0512-01 (Water)

Sampled: 9/6/2023 9:00
Sampled By: D. Silva

Analyte	Result	Units	Reporting Limit	DIL	DW MCL	Date/Time Analyzed	Method	Notes	Batch
Electrical Conductivity	**0.51**	mmhos/cm	0.01	1		09/08/23 12:51	SM 2510 B		BEI0230
Electrical Conductivity umhos	**506**	umhos/cm	10.0	1		09/08/23 12:51	SM 2510 B		BEI0230
Ammonia (as N)	ND	mg/L	0.00	1		09/06/23 09:00	Field		BEI0193
Nitrate Nitrogen as NO3N	**0.5**	mg/L	0.1	1	10	09/08/23 01:31	EPA 300.0		BEI0161
pH	**8.0**	units	1.0	1		09/08/23 12:51	SM 4500-H+	H	BEI0230
Temperature	**25.0**	°C	0.0	1		09/08/23 12:51	SM 2510 B		BEI0230

The results in this report apply to the samples as received and were analyzed in accordance with the chain of custody document. This analytical report must be reproduced in its entirety. All results listed in this report are for the exclusive use of the submitting party. Dellavalle Laboratory, Inc. assumes no responsibility for report alteration, separation, detachment or third party interpretation.

DELLAVALLE™
LABORATORY INC

Antonio Azevedo Dairies
2025 W El Nido Road
El Nido, CA 95317

Account# 00-0021345
Account Manager: Ben Nydam
Submitted By: Antonio & Alexandria Azevedo
Ranch: Azevedo Dairy #1

Received: 09/07/2023 16:20
Reported: 09/11/2023 11:17

Sample Results
(Continued)

Sample: NW #2
23I0512-02 (Water)

Sampled: 9/6/2023 9:07
Sampled By: D. Silva

Analyte	Result	Units	Reporting Limit	DIL	DW MCL	Date/Time Analyzed	Method	Notes	Batch
Electrical Conductivity	**0.59**	mmhos/cm	0.01	1		09/08/23 12:53	SM 2510 B		BEI0230
Electrical Conductivity umhos	**587**	umhos/cm	10.0	1		09/08/23 12:53	SM 2510 B		BEI0230
Ammonia (as N)	ND	mg/L	0.00	1		09/06/23 09:07	Field		BEI0193
Nitrate Nitrogen as NO3N	**1.4**	mg/L	0.1	1	10	09/08/23 01:51	EPA 300.0		BEI0161
pH	**8.0**	units	1.0	1		09/08/23 12:53	SM 4500-H+	H	BEI0230
Temperature	**25.0**	°C	0.0	1		09/08/23 12:53	SM 2510 B		BEI0230

The results in this report apply to the samples as received and were analyzed in accordance with the chain of custody document. This analytical report must be reproduced in its entirety. All results listed in this report are for the exclusive use of the submitting party. Dellavalle Laboratory, Inc. assumes no responsibility for report alteration, separation, detachment or third party interpretation.

DELLAVALLE™
LABORATORY INC

Antonio Azevedo Dairies
2025 W El Nido Road
El Nido, CA 95317

Account# 00-0021345
Account Manager: Ben Nydam
Submitted By: Antonio & Alexandria Azevedo
Ranch: Azevedo Dairy #1

Received: 09/07/2023 16:20
Reported: 09/11/2023 11:17

Sample Results
(Continued)

Sample: NW #1
23I0512-03 (Water)

Sampled: 9/6/2023 9:10
Sampled By: D. Silva

Analyte	Result	Units	Reporting Limit	DIL	DW MCL	Date/Time Analyzed	Method	Notes	Batch
Electrical Conductivity	**1.65**	mmhos/cm	0.01	1		09/08/23 13:00	SM 2510 B		BEI0230
Electrical Conductivity umhos	**1650**	umhos/cm	10.0	1		09/08/23 13:00	SM 2510 B		BEI0230
Ammonia (as N)	ND	mg/L	0.00	1		09/06/23 09:10	Field		BEI0193
Nitrate Nitrogen as NO3N	**29.8**	mg/L	0.1	1	10	09/08/23 02:11	EPA 300.0		BEI0161
pH	**7.4**	units	1.0	1		09/08/23 13:00	SM 4500-H+	H	BEI0230
Temperature	**25.0**	°C	0.0	1		09/08/23 13:00	SM 2510 B		BEI0230

The results in this report apply to the samples as received and were analyzed in accordance with the chain of custody document. This analytical report must be reproduced in its entirety. All results listed in this report are for the exclusive use of the submitting party. Dellavalle Laboratory, Inc. assumes no responsibility for report alteration, separation, detachment or third party interpretation.

DELLAVALLE™
LABORATORY INC

Antonio Azevedo Dairies
2025 W El Nido Road
El Nido, CA 95317

Account# 00-0021345
Account Manager: Ben Nydam
Submitted By: Antonio & Alexandria Azevedo
Ranch: Azevedo Dairy #1

Received: 09/07/2023 16:20
Reported: 09/11/2023 11:17

Quality Control

Analyte	Result	Qual	Reporting Limit	Units	Spike Level	Source Result	%REC	%REC Limits	RPD	RPD Limit
Batch: BEI0161										
Blank (BEI0161-BLK1)					Prepared & Analyzed: 9/7/2023					
Nitrate Nitrogen as NO3N	ND		0.1	mg/L						
Blank (BEI0161-BLK2)					Prepared & Analyzed: 9/7/2023					
Nitrate Nitrogen as NO3N	ND		0.1	mg/L						
Blank (BEI0161-BLK3)					Prepared & Analyzed: 9/8/2023					
Nitrate Nitrogen as NO3N	ND		0.1	mg/L						
LCS (BEI0161-BS1)					Prepared & Analyzed: 9/7/2023					
Nitrate Nitrogen as NO3N	5.2		0.1	mg/L	5.000		104	90-110		
LCS (BEI0161-BS2)					Prepared & Analyzed: 9/8/2023					
Nitrate Nitrogen as NO3N	5.5		0.1	mg/L	5.000		109	90-110		
Duplicate (BEI0161-DUP1)		**Source: 23I0193-01**			Prepared & Analyzed: 9/7/2023					
Nitrate Nitrogen as NO3N	2.6		0.1	mg/L		2.6			0.501	10
Duplicate (BEI0161-DUP2)		**Source: 23I0512-01**			Prepared & Analyzed: 9/8/2023					
Nitrate Nitrogen as NO3N	0.5		0.1	mg/L		0.5			0.784	10
Matrix Spike (BEI0161-MS1)		**Source: 23I0193-01**			Prepared & Analyzed: 9/7/2023					
Nitrate Nitrogen as NO3N	8.4		0.1	mg/L	5.000	2.6	116	90-110		
Matrix Spike (BEI0161-MS2)		**Source: 23I0512-01**			Prepared & Analyzed: 9/8/2023					
Nitrate Nitrogen as NO3N	5.6		0.1	mg/L	5.000	0.5	102	90-110		
Reference (BEI0161-SRM1)					Prepared & Analyzed: 9/7/2023					
Nitrate Nitrogen as NO3N	10.3			mg/L	10.00		103	90-110		
Reference (BEI0161-SRM2)					Prepared & Analyzed: 9/8/2023					
Nitrate Nitrogen as NO3N	10.4			mg/L	10.00		104	90-110		
Reference (BEI0161-SRM3)					Prepared & Analyzed: 9/8/2023					
Nitrate Nitrogen as NO3N	10.4			mg/L	10.00		104	90-110		

The results in this report apply to the samples as received and were analyzed in accordance with the chain of custody document. This analytical report must be reproduced in its entirety. All results listed in this report are for the exclusive use of the submitting party. Dellavalle Laboratory, Inc. assumes no responsibility for report alteration, separation, detachment or third party interpretation.

DELLAVALLE™
LABORATORY INC

Antonio Azevedo Dairies
2025 W El Nido Road
El Nido, CA 95317

Account# 00-0021345
Account Manager: Ben Nydam
Submitted By: Antonio & Alexandria Azevedo
Ranch: Azevedo Dairy #1

Received: 09/07/2023 16:20
Reported: 09/11/2023 11:17

Quality Control
(Continued)

Analyte	Result	Qual	Reporting Limit	Units	Spike Level	Source Result	%REC	%REC Limits	RPD	RPD Limit
Batch: BEI0230										
Blank (BEI0230-BLK1)					Prepared & Analyzed: 9/8/2023					
Electrical Conductivity	ND		0.01	mmhos/cm						
pH	5.5		1.0	units						
Electrical Conductivity umhos	ND		10.0	umhos/cm						
Temperature	25.0		0.0	°C						
Blank (BEI0230-BLK2)					Prepared & Analyzed: 9/8/2023					
Electrical Conductivity	ND		0.01	mmhos/cm						
pH	6.5		1.0	units						
Electrical Conductivity umhos	ND		10.0	umhos/cm						
Temperature	25.0		0.0	°C						
Blank (BEI0230-BLK3)					Prepared & Analyzed: 9/8/2023					
Electrical Conductivity	ND		0.01	mmhos/cm						
pH	6.4		1.0	units						
Temperature	25.0		0.0	°C						
Electrical Conductivity umhos	ND		10.0	umhos/cm						
Duplicate (BEI0230-DUP1)		**Source: 23I0512-01**			Prepared & Analyzed: 9/8/2023					
Electrical Conductivity	0.50		0.01	mmhos/cm		0.51			0.994	10
pH	8.0		1.0	units		8.0			0.251	10
Electrical Conductivity umhos	501		10.0	umhos/cm		506			0.994	10
Duplicate (BEI0230-DUP2)		**Source: 23I0513-01**			Prepared & Analyzed: 9/8/2023					
Electrical Conductivity	3.36		0.01	mmhos/cm		3.41			1.37	10
pH	7.3		1.0	units		7.3			0.00	10
Electrical Conductivity umhos	3360		10.0	umhos/cm		3410			1.37	10
Reference (BEI0230-SRM1)					Prepared & Analyzed: 9/8/2023					
Electrical Conductivity	515			umhos/cm	538.0		95.7	90-110		
Reference (BEI0230-SRM2)					Prepared & Analyzed: 9/8/2023					
pH	5.8			units	5.820		100	28178-101.71		
Reference (BEI0230-SRM3)					Prepared & Analyzed: 9/8/2023					
Electrical Conductivity	973			umhos/cm	1000		97.3	90-110		
Electrical Conductivity umhos	973			umhos/cm	1000		97.3	90-110		
Reference (BEI0230-SRM4)					Prepared & Analyzed: 9/8/2023					
Electrical Conductivity	975			umhos/cm	1000		97.5	90-110		
Electrical Conductivity umhos	975			umhos/cm	1000		97.5	90-110		
Reference (BEI0230-SRM5)					Prepared & Analyzed: 9/8/2023					
Electrical Conductivity	973			umhos/cm	1000		97.3	90-110		

The results in this report apply to the samples as received and were analyzed in accordance with the chain of custody document. This analytical report must be reproduced in its entirety. All results listed in this report are for the exclusive use of the submitting party. Dellavalle Laboratory, Inc. assumes no responsibility for report alteration, separation, detachment or third party interpretation.

DELLAVALLE™ LABORATORY INC

Antonio Azevedo Dairies
2025 W El Nido Road
El Nido, CA 95317

Account# 00-0021345
Account Manager: Ben Nydam
Submitted By: Antonio & Alexandria Azevedo
Ranch: Azevedo Dairy #1

Received: 09/07/2023 16:20
Reported: 09/11/2023 11:17

Quality Control
(Continued)

Analyte	Result	Qual	Reporting Limit	Units	Spike Level	Source Result	%REC	%REC Limits	RPD	RPD Limit
Batch: BEI0230 (Continued)										
Reference (BEI0230-SRM5)					Prepared & Analyzed: 9/8/2023					
Electrical Conductivity umhos	973			umhos/cm	1000		97.3	90-110		
Reference (BEI0230-SRM6)					Prepared & Analyzed: 9/8/2023					
pH	4.0			units	4.000		101	97.5-102.5		
Reference (BEI0230-SRM7)					Prepared & Analyzed: 9/8/2023					
pH	4.0			units	4.000		101	97.5-102.5		
Reference (BEI0230-SRM8)					Prepared & Analyzed: 9/8/2023					
pH	4.0			units	4.000		101	97.5-102.5		

The results in this report apply to the samples as received and were analyzed in accordance with the chain of custody document. This analytical report must be reproduced in its entirety. All results listed in this report are for the exclusive use of the submitting party. Dellavalle Laboratory, Inc. assumes no responsibility for report alteration, separation, detachment or third party interpretation.

09/07/23 16:20 23I0512

WATER WORK REQUEST

Bill To: Acct No. 21345 Cons. 8

Purchase Order No. Results Needed By

Client: **Azevedo Dairies, Antonio**
Address: 2025 W El Nido Road
City, State, Zip: El Nido, CA 95317
Phone: Fax:
Cell/Email:

Copy to: Cardoso Ag Sevices - cas.labs@yahoo.com

Requested by: Antonio & Alexandria Azevedo - (209) 261-4771

Ranch: Azevedo Dairy #1

Date sampled: 9/6/23

Sampled by: DSilva

[X] QA/QC Document [X] Copy of Chain [ ] RWQCB

DELLAVALLE LABORATORY, INC.

1910 W. McKinley Avenue, Suite 110 • Fresno, CA 93728
www.dellavallelab.com 559 233-6129 • 800 228-9896 • Fax 559 268-8174

No. of Samples 3 No. Bottles 3

Water Type: [ ] Drinking [ ] Wastewater
[ ] Ag Water [ ] Ground Water [ ] Mon. Well
[X] Supply Water [ ] Other

Analysis and Bottles Required: *(Please Indicate Analysis)*

(X) DWW1: (EC, pH, NO_3-N, **NH_4-N Field Test**)
(1) l L plastic, unpreserved (white)

( ) DWW2: (DWW1 Plus SO_4, CO_3, HCO_3, Cl, Ca, Mg, Na, TDS)
(1) l L plastic, unpreserved (white)

( ) DCW1: (EC, NO_3-N, TDS)
(1) l L plastic, unpreserved (white)

( ) DPW1: (EC, pH, NO_3-N, NH_4-N, TKN, TDS, TP, TK)
(1) l L plastic, unpreserved (white)

( ) DPW2: (DPW1 Plus Ca, Mg, Na, HCO_3, CO_3, SO_4, Cl)
(1) l L plastic, unpreserved (white)

( ) Other

DESCRIPTION OF SAMPLES		Date Sampled	Time Sampled	Field NH4-N (mg/L)	Received Temp °C
1. IW #2	Sampled From:	9/6/23	9AM	Ø	7.2
2. NW #2	Sampled From:	9/6/23	9:07AM	Ø	5.6
3. NW #1	Sampled From:	9/6/23	9:10AM	Ø	2.7
4.	Sampled From:				
5.	Sampled From:				
6.	Sampled From:				
7.	Sampled From:				
8.	Sampled From:				
9.	Sampled From:				
10.	Sampled From:				

IR Thermometer SN: 200560723
Correction Factor: 0°C
Calibration Due: 9/26/2023
Location: Laboratory

CHAIN OF CUSTODY

Carrier	Signature	Company	Received (Date/Time)	Relinquished (Date/Time)
First	DSilva	CAS INC	9/6/23 9:10AM	9/7/23 2pm
Second	JLF	DLV	9-7-23 2:32	9-7-23 3:55
Third				
Fourth	JLF	DLV	9/7/23 16:20	

I guarantee that as the client, or on behalf of the client named, I have the authority to contract the above requested services. Should it be found that I do not have such authority, I agree to be personally liable for all costs and, if there should be action against me for this breach, reasonable attorneys' fees. It is understood that payment is expected to be cash with samples unless terms have been previously arranged. Terms are net 30 days; overdue accounts will be charged a dated damage fee of 2% per month (annually 24 %) or $5.00 per month whichever is greater.

If payment is not made when due and a legitimate dispute exists concerning the product or services of Dellavalle Laboratory, Inc., it will be submitted to mediation under the Rules and Procedures of Creative Alternative to Litigation, Inc. (cal). If the dispute is not resolved in mediation, then the dispute will be submitted to binding arbitration through cal under its Rules and Procedures. The prties will equally bear the costs of mediation/arbitration. If, however, the mediator declares that no legitimate dispute exists, then debtor will pay all mediation and arbitration costs, and in the event of arbitration, reasonable attorneys' fees of Dellavalle Laboratory.

Invoicing Information:

Sampling Hrs ___ Miles ___ Consulting ___

Amt Paid ___ Rec By ___ Check No. ___

Shipping
$ ___ In
$ ___ Out
Date ___

Signature

Sample received in cooler with ice?
[ ] Yes [ ] No

ctt:update 2020

Shipping Information: Shipped In ☐ Picked-Up ☒ Walk In ☐ DLI Sampler ☐ Other ☐ _____

Container: Ice Chest ☒ Box ☐ None ☐ **Refrigerant:** Wet Ice ☐ ☒ Blue Ice ☐ None ☐

Samples Preserved with HNO_3 or H_2SO_4 were: ☐ Received Preserved ☐ Preserved Upon Receipt at Laboratory

Type of Container(s) Received		Sample Number 1	2	3	4	5	6	7	8	9	10
Sample Containers for Internal (DLI) Use *(Containers that go into the Lab)*											
Plastics	100 mL sterile plastic $Na_2S_2O_3$ (Green)										
	250 mL unpreserved (White) Plastic										
	250 mL HNO_3 (Red) Plastic										
	* pH Value										
	250 mL H_2SO_4 (Yellow) Plastic										
	* pH Value										
	500 mL unpreserved (White) Plastic										
	1 L unpreserved (White) Plastic	1	1	1							
	1 L unpreserved (BOD) (Purple) Plastic										
"	500mL unpreserved (White) Glass										
	PO4-P Kit										
	Other:										
Sample Containers for Subcontracted ("Send Out") Analyses *(Containers that go in the Subcontract ("Send Out") Refrigerator)*											
Plastics	100 mL sterile plastic $Na_2S_2O_3$ (Green)										
	250 mL unpreserved (White) Plastic										
	250 mL HNO_3 (Red) Plastic										
	250 mL H_2SO_4 (Yellow) Plastic										
	500 mL HNO_3 (Red)										
	1 L unpreserved (White) Plastic										
	1 L unpreserved (BOD) (Purple) Plastic										
	1 L HNO_3 (Red)										
VOA Vials	40 mL AG VOA, $Na_2S_2O_3$ + MCAA										
	40 mL AG VOA, $Na_2S_2O_3$										
	40mL AG VOA unpreserved (White) (Set of 3										
	40 mL AG VOA, $Na_2S_2O_3$ (Green) (Set of 3)										
	40mL VOA, H_3PO_4 (Set of 3)										
	40 mL VOA, HCl (Blue) (Set of 3)										
	40 mL VOA, $Na_2S_2O_3$ (Green) (Set of 3)										
Glass	250 mL AG unpreserved (White)										
	250 mL AG H_2SO_4 (Yellow)										
	250 mL AG $Na_2S_2O_3$ (Green)										
	250 mL AG $Na_2S_2O_3$ + MCAA										
	500 mL glass unpreserved (White)										
	500 mL AG HCl (Blue)										
	1 L AG unpreserved (White)										
	1 L AG H_2SO_4 (Yellow)										
	1 L AG $Na_2S_2O_3$ (Green)										
	1 L AG HCl (Blue)										
Special	Cr^{6+} - 50mL Plastic w/Borate/HCO_3/CO_3										
	Cyanide - 500 mL NaOH										
	Asbestos - 1L P wrapped in foil (Set of 2)										
	Sulfide - 1 L **AG** or **P** NaOH + ZnAc										
	Chlorite/Bromate - 250 mL AG with EDA										
	HAA5 - 250mL AG Ammonium Chlorite										
	DO KIT										
	Other:										
	Other:										

09/07/23 16:20 23I0512

SEND OUT