**Annual Report - General Order No. R5-2007-0035**
*Reporting period 01/01/2023 to 12/31/2023.*

DAIRY FACILITY INFORMATION

**A. NAME OF DAIRY OR BUSINESS OPERATING THE DAIRY:** Double D Dairy

Physical address of dairy:

| Number and Street | City | County | Zip Code |
|---|---|---|---|
| 2207 Roberts RD | Ceres | Stanislaus | 95307 |

Street and nearest cross street (if no address):

Date facility was originally placed in operation: 06/24/2005

Regional Water Quality Control Board Basin Plan designation: San Joaquin River Basin

County Assessor Parcel Number(s) for dairy facility:

X022-X013-X011-XXXX X022-X013-X012-XXXX X022-X014-X001-XXXX

**B. OPERATORS**

Agresti, Harold

Operator name: Agresti, Harold

Telephone no.: (209) 537-4133 Landline, (209) 581-1906 Cellular

| Mailing Address Number and Street | City | State | Zip Code |
|---|---|---|---|
| 1441 E Monte Vista AVE | Ceres | CA | 95307 |

**This operator is responsible for paying permit fees.**

Assali, Dominic

Operator name: Assali, Dominic

Telephone no.: (209) 537-4133 Landline, (209) 542-0281 Cellular

| Mailing Address Number and Street | City | State | Zip Code |
|---|---|---|---|
| 1441 E Monte Vista AVE | Ceres | CA | 95307 |

**C. OWNERS**

Agresti, Harold

| | | | | |
|---|---|---|---|---|
| Legal owner name: | Agresti, Harold | Telephone no.: | (209) 537-4133 | (209) 581-1906 |
| | | | Landline | Cellular |
| 1441 E Monte Vista AVE | Ceres | | CA | 95307 |
| Mailing Address Number and Street | City | | State | Zip Code |

**This owner is responsible for paying permit fees.**

Assali, Dominic

| | | | | |
|---|---|---|---|---|
| Legal owner name: | Assali, Dominic | Telephone no.: | (209) 537-4133 | (209) 542-0281 |
| | | | Landline | Cellular |
| 1441 E Monte Vista AVE | Ceres | | CA | 95307 |
| Mailing Address Number and Street | City | | State | Zip Code |

AVAILABLE NUTRIENTS

## A. HERD INFORMATION

| | Milk Cows | Dry Cows | Bred Heifers (15-24 mo.) | Heifers (7-14 mo. to breeding) | Calves (4-6 mo.) | Calves (0-3 mo.) |
|---|---|---|---|---|---|---|
| Number open confinement | 0 | 410 | 1,120 | 910 | 316 | 0 |
| Number under roof | 2,920 | 0 | 0 | 0 | 0 | 0 |
| Maximum number | 2,920 | 420 | 1,120 | 910 | 316 | 0 |
| Average number | 2,920 | 420 | 1,120 | 910 | 316 | 0 |
| Avg live weight (lbs) | 1,350 | 1,400 | 850 | 600 | | |

Predominant milk cow breed: Holstein

Average milk production: 73 *pounds per cow per day*

## B. MANURE GENERATED

Total manure excreted by the herd: 102,557.68 *tons per reporting period*

Total nitrogen from manure: 1,278,196.36 *lbs per reporting period*

After ammonia losses (30% loss applied): 894,737.45 *lbs per reporting period*

Total phosphorus from manure: 212,124.33 *lbs per reporting period*

Total potassium from manure: 564,962.26 *lbs per reporting period*

Total salt from manure: 1,471,461.00 *lbs per reporting period*

## C. PROCESS WASTEWATER GENERATED

Process wastewater generated: 38,086,266 *gallons*

Total nitrogen generated: 227,906.95 *lbs*

Total phosphorus generated: 12,126.73 *lbs*

Total potassium generated: 244,759.34 *lbs*

Total salt generated: 1,644,540.72 *lbs*

| | | |
|---|---|---|
| | 40,181,016 | *gallons applied* |
| + | 0 | *gallons exported* |
| - | 2,094,750 | *gallons imported* |
| = | 38,086,266 | *gallons generated* |

## D. FRESH WATER SOURCES

| Source Description | Type |
|---|---|
| IW- Berryhill N | Ground water |
| IW- Berryhill W | Ground water |
| IW- Dairy | Ground water |
| IW- ET Vincent | Ground water |
| IW- Harolds Field | Ground water |

| Source Description | Type |
|---|---|
| TID Ceres Main | Ground water |
| TID Lateral 3 | Ground water |
| TID Lateral 4 | Ground water |

## E. SUBSURFACE (TILE) DRAINAGE SOURCES

*No subsurface (tile) drainage sources entered.*

## F. NUTRIENT IMPORTS

*No dry manure nutrient imports entered.*

| Date | Material type / Description | Quantity | N (mg/L) | P (mg/L) | K (mg/L) | Salt (mg/L) | TDS (mg/L) |
|---|---|---|---|---|---|---|---|
| 01/01/2023 | Process wastewater sludge<br>*Slurry* | 1,040,250.00 *gal* | 1,170.00 | 133.00 | 1,070.00 | | 3,400 |
| 01/01/2023 | Process wastewater sludge<br>*Slurry* | 1,054,500.00 *gal* | 1,170.00 | 133.00 | 1,070.00 | | 3,400 |

| Date | Material type / Description | Quantity | Reporting basis | Moisture (%) | N (%) | P (%) | K (%) | Salt (%) |
|---|---|---|---|---|---|---|---|---|
| 04/17/2023 | Solid commercial fertilizer<br>*UN 32* | 38.92 *ton* | Dry-weight | 0.1 | 32.000000 | 0.000000 | 0.000000 | 0.000000 |

| Material type | Total N (lbs) | Total P (lbs) | Total K (lbs) | Total salt (lbs) |
|---|---|---|---|---|
| Commercial fertilizer / Other | 24,883.89 | 0.00 | 0.00 | 0.00 |
| Dry manure | 0.00 | 0.00 | 0.00 | 0.00 |
| Process wastewater | 20,452.41 | 2,324.93 | 18,704.34 | 59,434.34 |
| Total imports for all materials | 45,336.30 | 2,324.93 | 18,704.34 | 59,434.34 |

## G. NUTRIENT EXPORTS

| Date | Material type | Quantity | Reporting basis | Moisture (%) | Density (lbs/cu ft) | N (mg/kg) | P (mg/kg) | K (mg/kg) | Salt (mg/kg) | TFS (%) |
|---|---|---|---|---|---|---|---|---|---|---|
| 05/09/2023 | Corral solids | 5,690.00 *ton* | Dry-weight | 8.4 | | 20,200.00 | 6,490.00 | 3,550.00 | | 47.10 |
| 10/17/2023 | Corral solids | 6,980.00 *ton* | Dry-weight | 41.9 | | 12,500.00 | 6,720.00 | 30,000.00 | | 40.30 |

*No liquid nutrient exports entered.*

| Material type | Total N (lbs) | Total P (lbs) | Total K (lbs) | Total salt (lbs) |
|---|---|---|---|---|
| Dry manure | 311,950.92 | 122,156.59 | 280,328.28 | 8,178,377.96 |
| Process wastewater | 0.00 | 0.00 | 0.00 | 0.00 |

| | | | | |
|---|---|---|---|---|
| Total exports for all materials | 311,950.92 | 122,156.59 | 280,328.28 | 8,178,377.96 |

## A. LIST OF LAND APPLICATION AREAS

| Field name | Controlled acres | Cropable acres | Total harvests | Type of waste applied | Parcel number |
|---|---|---|---|---|---|
| 1 Berryhill Lagoon | 11 | 11 | 2 | process wastewater | X022-X013-X011-XXXX<br>X022-X013-X012-XXXX |
| 10 Yori North | 39 | 39 | 2 | process wastewater | X022-X010-X008-XXXX |
| 11 Yori South | 20 | 20 | 2 | manure | X022-X010-X009-XXXX |
| 12 Harold's House | 35 | 35 | 1 | manure | X022-X012-X013-XXXX |
| 13 McCoy A | 26 | 26 | 2 | process wastewater | X022-X012-X009-XXXX |
| 13 McCoy B | 12 | 12 | 1 | none | X022-X012-X009-XXXX |
| 14 Drake | 38 | 38 | 2 | process wastewater | X022-X012-X008-XXXX |
| 15 Webster West | 47 | 47 | 1 | manure | X022-X022-X012-XXXX |
| 16 Webster East | 43 | 43 | 1 | process wastewater | X022-X021-X008-XXXX<br>X022-X022-X001-XXXX |
| 17 Sodar-Rock | 36 | 36 | 2 | process wastewater | X022-X021-X001-XXXX |
| 19 ET Vincent | 73 | 73 | 2 | process wastewater | X022-X019-X001-XXXX |
| 2 Berryhill East | 18 | 18 | 1 | manure | X022-X011-X020-XXXX<br>X022-X011-X026-XXXX |
| 20 Vierra | 74 | 74 | 2 | process wastewater | X022-X019-X001-XXXX<br>X022-X019-X002-XXXX |
| 21 Costa | 52 | 52 | 1 | manure | X022-X014-X002-XXXX<br>X022-X014-X003-XXXX |
| 22 Soderstrom | 37 | 37 | 1 | manure | X022-X021-X004-XXXX |
| 23 John's Zeering | 39 | 39 | 1 | manure | X023-X002-X009-XXXX |
| 24 John's Washington | 42 | 42 | 1 | manure | X023-X002-X012-XXXX<br>X023-X002-X013-XXXX |
| 25 John's Dairy | 33 | 33 | 1 | manure | X023-X002-X010-XXXX |
| 26 Fulkerth | 36 | 36 | 1 | manure | X089-X001-X003-XXXX |
| 27 Fransil | 38 | 38 | 1 | manure | X089-X001-X007-XXXX |
| 28 Crowslanding | 37 | 37 | 1 | manure | X022-X037-X009-XXXX |
| 29 Railroad | 24 | 24 | 1 | manure | X022-X022-X014-XXXX |
| 3 Berryhill West | 33 | 33 | 2 | process wastewater | X022-X011-X026-XXXX |
| 30 Borba | 115 | 115 | 2 | manure | X058-X018-X014-XXXX<br>X058-X018-X015-XXXX<br>X058-X018-X016-XXXX |
| 31 Costco | 20 | 20 | 1 | manure | X088-X018-X002-XXXX |
| 32 Trio | 37 | 37 | 1 | manure | X022-X011-X016-XXXX |

| Field name | Controlled acres | Cropable acres | Total harvests | Type of waste applied | Parcel number |
|---|---|---|---|---|---|
| 4 Berryhill North | 38 | 38 | 1 | manure | X041-X050-X006-XXXX |
| 5 Berryhill | 69 | 69 | 1 | manure | X022-X011-X028-XXXX |
| 6 Drake-Roberts A | 12 | 12 | 2 | process wastewater | X022-X012-X011-XXXX<br>X022-X012-X014-XXXX |
| 6 Drake-Roberts B | 24 | 24 | 1 | process wastewater | X022-X012-X014-XXXX |
| 7 Kilber | 38 | 38 | 2 | process wastewater | X022-X012-X003-XXXX<br>X022-X012-X004-XXXX |
| 8 Enochs | 38 | 38 | 2 | process wastewater | X022-X012-X018-XXXX |
| 9 Back 40 | 40 | 40 | 2 | process wastewater | X022-X012-X012-XXXX |
| Totals for areas that were used for application | 1,262 | 1,262 | 46 | | |
| Totals for areas that were not used for application | 12 | 12 | 1 | | |
| Land application area totals | 1,274 | 1,274 | 47 | | |

## B. CROPS AND HARVESTS

1 Berryhill Lagoon

Field name: 1 Berryhill Lagoon

11/03/2022: Oats, silage-soft dough

Crop: Oats, silage-soft dough Acres planted: 11 Plant date: 11/03/2022

| Harvest date | Yield | Reporting basis | Density (lbs/cu ft) | Moisture (%) | N (mg/kg) | P (mg/kg) | K (mg/kg) | Salt (mg/kg) | TFS (%) |
|---|---|---|---|---|---|---|---|---|---|
| 05/10/2023 | 177.00 *ton* | As-is | | 66.7 | 5,930.00 | 1,080.00 | 7,220.00 | | 9.94 |

| | Yield (tons/acre) | Total N (lbs/acre) | Total P (lbs/acre) | Total K (lbs/acre) | Salt (lbs/acre) |
|---|---|---|---|---|---|
| Anticipated harvest content | 16.00 | 160.00 | 25.60 | 132.80 | 0.00 |
| Total actual harvest content | 16.09 | 190.84 | 34.76 | 232.35 | 1,065.22 |

## 1 Berryhill Lagoon

### 06/05/2023: Corn, silage

Crop: Corn, silage  Acres planted: 11  Plant date: 06/05/2023

| Harvest date | Yield | Reporting basis | Density (lbs/cu ft) | Moisture (%) | N (mg/kg) | P (mg/kg) | K (mg/kg) | Salt (mg/kg) | TFS (%) |
|---|---|---|---|---|---|---|---|---|---|
| 09/14/2023 | 341.00 *ton* | As-is | | 69.0 | 3,940.00 | 860.00 | 6,020.00 | | 6.67 |

| | Yield (tons/acre) | Total N (lbs/acre) | Total P (lbs/acre) | Total K (lbs/acre) | Salt (lbs/acre) |
|---|---|---|---|---|---|
| Anticipated harvest content | 33.00 | 264.00 | 49.50 | 217.80 | 0.00 |
| Total actual harvest content | 31.00 | 244.28 | 53.32 | 373.24 | 1,281.97 |

## 10 Yori North

Field name: 10 Yori North

### 10/29/2022: Oats, silage-soft dough

Crop: Oats, silage-soft dough  Acres planted: 39  Plant date: 10/29/2022

| Harvest date | Yield | Reporting basis | Density (lbs/cu ft) | Moisture (%) | N (mg/kg) | P (mg/kg) | K (mg/kg) | Salt (mg/kg) | TFS (%) |
|---|---|---|---|---|---|---|---|---|---|
| 05/05/2023 | 786.00 *ton* | As-is | | 74.0 | 3,120.00 | 940.00 | 6,830.00 | | 9.90 |

| | Yield (tons/acre) | Total N (lbs/acre) | Total P (lbs/acre) | Total K (lbs/acre) | Salt (lbs/acre) |
|---|---|---|---|---|---|
| Anticipated harvest content | 16.00 | 160.00 | 25.60 | 132.80 | 0.00 |
| Total actual harvest content | 20.15 | 125.76 | 37.89 | 275.30 | 1,037.52 |

### 05/31/2023: Corn, silage

Crop: Corn, silage  Acres planted: 39  Plant date: 05/31/2023

| Harvest date | Yield | Reporting basis | Density (lbs/cu ft) | Moisture (%) | N (mg/kg) | P (mg/kg) | K (mg/kg) | Salt (mg/kg) | TFS (%) |
|---|---|---|---|---|---|---|---|---|---|
| 09/11/2023 | 1,258.00 *ton* | As-is | | 70.8 | 3,680.00 | 760.00 | 4,740.00 | | 6.80 |

| | Yield (tons/acre) | Total N (lbs/acre) | Total P (lbs/acre) | Total K (lbs/acre) | Salt (lbs/acre) |
|---|---|---|---|---|---|
| Anticipated harvest content | 35.00 | 280.00 | 52.50 | 231.00 | 0.00 |
| Total actual harvest content | 32.26 | 237.41 | 49.03 | 305.79 | 1,280.97 |

## 11 Yori South

Field name: 11 Yori South

### 10/29/2022: Oats, silage-soft dough

Crop: Oats, silage-soft dough Acres planted: 20 Plant date: 10/29/2022

| Harvest date | Yield | Reporting basis | Density (lbs/cu ft) | Moisture (%) | N (mg/kg) | P (mg/kg) | K (mg/kg) | Salt (mg/kg) | TFS (%) |
|---|---|---|---|---|---|---|---|---|---|
| 05/05/2023 | 343.00 *ton* | As-is | | 73.4 | 5,190.00 | 900.00 | 6,490.00 | | 9.90 |

| | Yield (tons/acre) | Total N (lbs/acre) | Total P (lbs/acre) | Total K (lbs/acre) | Salt (lbs/acre) |
|---|---|---|---|---|---|
| Anticipated harvest content | 16.00 | 160.00 | 25.60 | 132.80 | 0.00 |
| Total actual harvest content | 17.15 | 178.02 | 30.87 | 222.61 | 903.26 |

### 05/31/2023: Corn, silage

Crop: Corn, silage Acres planted: 20 Plant date: 05/31/2023

| Harvest date | Yield | Reporting basis | Density (lbs/cu ft) | Moisture (%) | N (mg/kg) | P (mg/kg) | K (mg/kg) | Salt (mg/kg) | TFS (%) |
|---|---|---|---|---|---|---|---|---|---|
| 09/11/2023 | 582.00 *ton* | As-is | | 71.0 | 3,450.00 | 810.00 | 5,250.00 | | 7.20 |

| | Yield (tons/acre) | Total N (lbs/acre) | Total P (lbs/acre) | Total K (lbs/acre) | Salt (lbs/acre) |
|---|---|---|---|---|---|
| Anticipated harvest content | 35.00 | 280.00 | 52.50 | 231.00 | 0.00 |
| Total actual harvest content | 29.10 | 200.79 | 47.14 | 305.55 | 1,215.22 |

## 12 Harold's House

Field name: 12 Harold's House

### 02/01/2005: Almond Field Run

Crop: Almond Field Run Acres planted: 35 Plant date: 02/01/2005

| Harvest date | Yield | Reporting basis | Density (lbs/cu ft) | Moisture (%) | N (mg/kg) | P (mg/kg) | K (mg/kg) | Salt (mg/kg) | TFS (%) |
|---|---|---|---|---|---|---|---|---|---|
| 09/15/2023 | 296.00 *ton* | As-is | | 27.8 | 5,200.00 | 700.00 | 27,000.00 | | 12.90 |

| | Yield (tons/acre) | Total N (lbs/acre) | Total P (lbs/acre) | Total K (lbs/acre) | Salt (lbs/acre) |
|---|---|---|---|---|---|
| Anticipated harvest content | 6.00 | 258.00 | 43.80 | 279.00 | 0.00 |
| Total actual harvest content | 8.46 | 87.95 | 11.84 | 456.69 | 1,575.36 |

## 13 McCoy A

Field name: 13 McCoy A

### 10/29/2022: Oats, silage-soft dough

Crop: Oats, silage-soft dough  Acres planted: 26  Plant date: 10/29/2022

| Harvest date | Yield | Reporting basis | Density (lbs/cu ft) | Moisture (%) | N (mg/kg) | P (mg/kg) | K (mg/kg) | Salt (mg/kg) | TFS (%) |
|---|---|---|---|---|---|---|---|---|---|
| 05/05/2023 | 462.00 *ton* | As-is | | 75.6 | 4,680.00 | 930.00 | 6,520.00 | | 10.70 |

| | Yield (tons/acre) | Total N (lbs/acre) | Total P (lbs/acre) | Total K (lbs/acre) | Salt (lbs/acre) |
|---|---|---|---|---|---|
| Anticipated harvest content | 16.00 | 160.00 | 25.60 | 132.80 | 0.00 |
| Total actual harvest content | 17.77 | 166.32 | 33.05 | 231.71 | 927.84 |

### 06/03/2023: Corn, silage

Crop: Corn, silage  Acres planted: 26  Plant date: 06/03/2023

| Harvest date | Yield | Reporting basis | Density (lbs/cu ft) | Moisture (%) | N (mg/kg) | P (mg/kg) | K (mg/kg) | Salt (mg/kg) | TFS (%) |
|---|---|---|---|---|---|---|---|---|---|
| 09/12/2023 | 733.00 *ton* | As-is | | 67.8 | 4,220.00 | 830.00 | 5,630.00 | | 8.40 |

| | Yield (tons/acre) | Total N (lbs/acre) | Total P (lbs/acre) | Total K (lbs/acre) | Salt (lbs/acre) |
|---|---|---|---|---|---|
| Anticipated harvest content | 35.00 | 280.00 | 52.50 | 231.00 | 0.00 |
| Total actual harvest content | 28.19 | 237.94 | 46.80 | 317.45 | 1,525.09 |

## 13 McCoy B

Field name: 13 McCoy B

### 02/01/2022: Almond Field Run

Crop: Almond Field Run  Acres planted: 12  Plant date: 02/01/2022

| Harvest date | Yield | Reporting basis | Density (lbs/cu ft) | Moisture (%) | N (mg/kg) | P (mg/kg) | K (mg/kg) | Salt (mg/kg) | TFS (%) |
|---|---|---|---|---|---|---|---|---|---|
| 12/31/2023 | 0.01 *ton* | As-is | | 0.1 | 0.00 | 0.00 | 0.00 | | 0.00 |

| | Yield (tons/acre) | Total N (lbs/acre) | Total P (lbs/acre) | Total K (lbs/acre) | Salt (lbs/acre) |
|---|---|---|---|---|---|
| Anticipated harvest content | 0.10 | 0.10 | 0.01 | 0.01 | 0.00 |
| Total actual harvest content | 0.00 | 0.00 | 0.00 | 0.00 | 0.00 |

## 14 Drake

Field name: 14 Drake

### 10/29/2022: Oats, silage-soft dough

Crop: Oats, silage-soft dough Acres planted: 38 Plant date: 10/29/2022

| Harvest date | Yield | Reporting basis | Density (lbs/cu ft) | Moisture (%) | N (mg/kg) | P (mg/kg) | K (mg/kg) | Salt (mg/kg) | TFS (%) |
|---|---|---|---|---|---|---|---|---|---|
| 05/05/2023 | 633.00 *ton* | As-is | | 76.0 | 5,060.00 | 1,010.00 | 7,490.00 | | 11.00 |

| | Yield (tons/acre) | Total N (lbs/acre) | Total P (lbs/acre) | Total K (lbs/acre) | Salt (lbs/acre) |
|---|---|---|---|---|---|
| Anticipated harvest content | 16.00 | 160.00 | 25.60 | 132.80 | 0.00 |
| Total actual harvest content | 16.66 | 168.58 | 33.65 | 249.54 | 879.54 |

### 05/31/2023: Corn, silage

Crop: Corn, silage Acres planted: 38 Plant date: 05/31/2023

| Harvest date | Yield | Reporting basis | Density (lbs/cu ft) | Moisture (%) | N (mg/kg) | P (mg/kg) | K (mg/kg) | Salt (mg/kg) | TFS (%) |
|---|---|---|---|---|---|---|---|---|---|
| 09/11/2023 | 1,112.00 *ton* | As-is | | 69.8 | 3,650.00 | 820.00 | 5,160.00 | | 7.40 |

| | Yield (tons/acre) | Total N (lbs/acre) | Total P (lbs/acre) | Total K (lbs/acre) | Salt (lbs/acre) |
|---|---|---|---|---|---|
| Anticipated harvest content | 35.00 | 280.00 | 52.50 | 231.00 | 0.00 |
| Total actual harvest content | 29.26 | 213.62 | 47.99 | 302.00 | 1,307.95 |

## 15 Webster West

Field name: 15 Webster West

### 01/26/2019: Almond Field Run

Crop: Almond Field Run Acres planted: 47 Plant date: 01/26/2019

| Harvest date | Yield | Reporting basis | Density (lbs/cu ft) | Moisture (%) | N (mg/kg) | P (mg/kg) | K (mg/kg) | Salt (mg/kg) | TFS (%) |
|---|---|---|---|---|---|---|---|---|---|
| 09/16/2023 | 363.00 *ton* | As-is | | 23.1 | 5,610.00 | 650.00 | 29,200.00 | | 14.40 |

| | Yield (tons/acre) | Total N (lbs/acre) | Total P (lbs/acre) | Total K (lbs/acre) | Salt (lbs/acre) |
|---|---|---|---|---|---|
| Anticipated harvest content | 6.00 | 258.00 | 43.80 | 279.00 | 0.00 |
| Total actual harvest content | 7.72 | 86.66 | 10.04 | 451.05 | 1,710.52 |

## 16 Webster East

Field name: 16 Webster East

### 02/01/1995: Almond Field Run

Crop: Almond Field Run Acres planted: 43 Plant date: 02/01/1995

| Harvest date | Yield | Reporting basis | Density (lbs/cu ft) | Moisture (%) | N (mg/kg) | P (mg/kg) | K (mg/kg) | Salt (mg/kg) | TFS (%) |
|---|---|---|---|---|---|---|---|---|---|
| 09/16/2023 | 341.00 *ton* | As-is | | 22.7 | 5,490.00 | 560.00 | 26,600.00 | | 12.50 |

| | Yield (tons/acre) | Total N (lbs/acre) | Total P (lbs/acre) | Total K (lbs/acre) | Salt (lbs/acre) |
|---|---|---|---|---|---|
| Anticipated harvest content | 6.00 | 258.00 | 43.80 | 279.00 | 0.00 |
| Total actual harvest content | 7.93 | 87.07 | 8.88 | 421.89 | 1,532.52 |

## 17 Sodar-Rock

Field name: 17 Sodar-Rock

### 11/04/2022: Oats, silage-soft dough

Crop: Oats, silage-soft dough Acres planted: 36 Plant date: 11/04/2022

| Harvest date | Yield | Reporting basis | Density (lbs/cu ft) | Moisture (%) | N (mg/kg) | P (mg/kg) | K (mg/kg) | Salt (mg/kg) | TFS (%) |
|---|---|---|---|---|---|---|---|---|---|
| 05/11/2023 | 542.00 *ton* | As-is | | 66.8 | 5,580.00 | 1,190.00 | 8,090.00 | | 9.15 |

| | Yield (tons/acre) | Total N (lbs/acre) | Total P (lbs/acre) | Total K (lbs/acre) | Salt (lbs/acre) |
|---|---|---|---|---|---|
| Anticipated harvest content | 16.00 | 160.00 | 25.60 | 132.80 | 0.00 |
| Total actual harvest content | 15.06 | 168.02 | 35.83 | 243.60 | 914.72 |

### 05/30/2023: Corn, silage

Crop: Corn, silage Acres planted: 36 Plant date: 05/30/2023

| Harvest date | Yield | Reporting basis | Density (lbs/cu ft) | Moisture (%) | N (mg/kg) | P (mg/kg) | K (mg/kg) | Salt (mg/kg) | TFS (%) |
|---|---|---|---|---|---|---|---|---|---|
| 09/10/2023 | 1,163.00 *ton* | As-is | | 67.6 | 3,990.00 | 840.00 | 5,790.00 | | 7.80 |

| | Yield (tons/acre) | Total N (lbs/acre) | Total P (lbs/acre) | Total K (lbs/acre) | Salt (lbs/acre) |
|---|---|---|---|---|---|
| Anticipated harvest content | 35.00 | 280.00 | 52.50 | 231.00 | 0.00 |
| Total actual harvest content | 32.31 | 257.80 | 54.27 | 374.10 | 1,632.85 |

## 19 ET Vincent

Field name: 19 ET Vincent

### 11/12/2022: Oats, silage-soft dough

Crop: Oats, silage-soft dough Acres planted: 73 Plant date: 11/12/2022

| Harvest date | Yield | Reporting basis | Density (lbs/cu ft) | Moisture (%) | N (mg/kg) | P (mg/kg) | K (mg/kg) | Salt (mg/kg) | TFS (%) |
|---|---|---|---|---|---|---|---|---|---|
| 05/11/2023 | 1,326.00 *ton* | As-is | | 73.5 | 4,190.00 | 1,050.00 | 7,690.00 | | 9.87 |

| | Yield (tons/acre) | Total N (lbs/acre) | Total P (lbs/acre) | Total K (lbs/acre) | Salt (lbs/acre) |
|---|---|---|---|---|---|
| Anticipated harvest content | 16.00 | 160.00 | 25.60 | 132.80 | 0.00 |
| Total actual harvest content | 18.16 | 152.22 | 38.15 | 279.37 | 950.20 |

### 05/30/2023: Corn, silage

Crop: Corn, silage Acres planted: 73 Plant date: 05/30/2023

| Harvest date | Yield | Reporting basis | Density (lbs/cu ft) | Moisture (%) | N (mg/kg) | P (mg/kg) | K (mg/kg) | Salt (mg/kg) | TFS (%) |
|---|---|---|---|---|---|---|---|---|---|
| 09/10/2023 | 2,554.00 *ton* | As-is | | 70.8 | 3,530.00 | 870.00 | 5,820.00 | | 6.60 |

| | Yield (tons/acre) | Total N (lbs/acre) | Total P (lbs/acre) | Total K (lbs/acre) | Salt (lbs/acre) |
|---|---|---|---|---|---|
| Anticipated harvest content | 35.00 | 280.00 | 52.50 | 231.00 | 0.00 |
| Total actual harvest content | 34.99 | 247.00 | 60.88 | 407.24 | 1,348.51 |

## 2 Berryhill East

Field name: 2 Berryhill East

### 02/01/2013: Almond Field Run

Crop: Almond Field Run Acres planted: 18 Plant date: 02/01/2013

| Harvest date | Yield | Reporting basis | Density (lbs/cu ft) | Moisture (%) | N (mg/kg) | P (mg/kg) | K (mg/kg) | Salt (mg/kg) | TFS (%) |
|---|---|---|---|---|---|---|---|---|---|
| 09/16/2023 | 126.00 *ton* | As-is | | 22.2 | 6,850.00 | 970.00 | 27,700.00 | | 10.20 |

| | Yield (tons/acre) | Total N (lbs/acre) | Total P (lbs/acre) | Total K (lbs/acre) | Salt (lbs/acre) |
|---|---|---|---|---|---|
| Anticipated harvest content | 6.00 | 258.00 | 43.80 | 279.00 | 0.00 |
| Total actual harvest content | 7.00 | 95.90 | 13.58 | 387.80 | 1,110.98 |

## 20 Vierra

Field name: 20 Vierra

### 11/12/2022: Oats, silage-soft dough

Crop: Oats, silage-soft dough Acres planted: 74 Plant date: 11/12/2022

| Harvest date | Yield | Reporting basis | Density (lbs/cu ft) | Moisture (%) | N (mg/kg) | P (mg/kg) | K (mg/kg) | Salt (mg/kg) | TFS (%) |
|---|---|---|---|---|---|---|---|---|---|
| 05/11/2023 | 1,303.00 *ton* | As-is | | 71.6 | 5,400.00 | 1,170.00 | 8,360.00 | | 10.10 |

| | Yield (tons/acre) | Total N (lbs/acre) | Total P (lbs/acre) | Total K (lbs/acre) | Salt (lbs/acre) |
|---|---|---|---|---|---|
| Anticipated harvest content | 16.00 | 160.00 | 25.60 | 132.80 | 0.00 |
| Total actual harvest content | 17.61 | 190.17 | 41.20 | 294.41 | 1,010.14 |

### 05/30/2023: Corn, silage

Crop: Corn, silage Acres planted: 74 Plant date: 05/30/2023

| Harvest date | Yield | Reporting basis | Density (lbs/cu ft) | Moisture (%) | N (mg/kg) | P (mg/kg) | K (mg/kg) | Salt (mg/kg) | TFS (%) |
|---|---|---|---|---|---|---|---|---|---|
| 09/10/2023 | 2,453.00 *ton* | As-is | | 70.6 | 3,470.00 | 860.00 | 5,370.00 | | 10.20 |

| | Yield (tons/acre) | Total N (lbs/acre) | Total P (lbs/acre) | Total K (lbs/acre) | Salt (lbs/acre) |
|---|---|---|---|---|---|
| Anticipated harvest content | 35.00 | 280.00 | 52.50 | 231.00 | 0.00 |
| Total actual harvest content | 33.15 | 230.05 | 57.02 | 356.02 | 1,988.12 |

## 21 Costa

Field name: 21 Costa

### 02/01/1997: Almond Field Run

Crop: Almond Field Run Acres planted: 52 Plant date: 02/01/1997

| Harvest date | Yield | Reporting basis | Density (lbs/cu ft) | Moisture (%) | N (mg/kg) | P (mg/kg) | K (mg/kg) | Salt (mg/kg) | TFS (%) |
|---|---|---|---|---|---|---|---|---|---|
| 09/15/2023 | 412.00 *ton* | As-is | | 29.2 | 5,880.00 | 880.00 | 26,000.00 | | 13.20 |

| | Yield (tons/acre) | Total N (lbs/acre) | Total P (lbs/acre) | Total K (lbs/acre) | Salt (lbs/acre) |
|---|---|---|---|---|---|
| Anticipated harvest content | 6.00 | 258.00 | 43.80 | 279.00 | 0.00 |
| Total actual harvest content | 7.92 | 93.18 | 13.94 | 412.00 | 1,480.92 |

## 22 Soderstrom

Field name: 22 Soderstrom

### 02/01/1998: Almond Field Run

Crop: Almond Field Run Acres planted: 37 Plant date: 02/01/1998

| Harvest date | Yield | Reporting basis | Density (lbs/cu ft) | Moisture (%) | N (mg/kg) | P (mg/kg) | K (mg/kg) | Salt (mg/kg) | TFS (%) |
|---|---|---|---|---|---|---|---|---|---|
| 09/20/2023 | 268.00 *ton* | As-is | | 29.4 | 6,140.00 | 860.00 | 28,000.00 | | 13.20 |

| | Yield (tons/acre) | Total N (lbs/acre) | Total P (lbs/acre) | Total K (lbs/acre) | Salt (lbs/acre) |
|---|---|---|---|---|---|
| Anticipated harvest content | 6.00 | 258.00 | 43.80 | 279.00 | 0.00 |
| Total actual harvest content | 7.24 | 88.95 | 12.46 | 405.62 | 1,350.02 |

## 23 John's Zeering

Field name: 23 John's Zeering

### 02/01/2015: Almond Field Run

Crop: Almond Field Run Acres planted: 39 Plant date: 02/01/2015

| Harvest date | Yield | Reporting basis | Density (lbs/cu ft) | Moisture (%) | N (mg/kg) | P (mg/kg) | K (mg/kg) | Salt (mg/kg) | TFS (%) |
|---|---|---|---|---|---|---|---|---|---|
| 09/13/2023 | 281.00 *ton* | As-is | | 23.0 | 6,080.00 | 830.00 | 28,100.00 | | 7.41 |

| | Yield (tons/acre) | Total N (lbs/acre) | Total P (lbs/acre) | Total K (lbs/acre) | Salt (lbs/acre) |
|---|---|---|---|---|---|
| Anticipated harvest content | 6.00 | 258.00 | 43.80 | 279.00 | 0.00 |
| Total actual harvest content | 7.21 | 87.61 | 11.96 | 404.93 | 822.21 |

## 24 John's Washington

Field name: 24 John's Washington

## 24 John's Washington

### 02/01/2009: Almond Field Run

Crop: Almond Field Run  Acres planted: 42  Plant date: 02/01/2009

| Harvest date | Yield | Reporting basis | Density (lbs/cu ft) | Moisture (%) | N (mg/kg) | P (mg/kg) | K (mg/kg) | Salt (mg/kg) | TFS (%) |
|---|---|---|---|---|---|---|---|---|---|
| 09/13/2023 | 245.00 *ton* | As-is | | 20.6 | 7,620.00 | 940.00 | 28,600.00 | | 10.60 |

| | Yield (tons/acre) | Total N (lbs/acre) | Total P (lbs/acre) | Total K (lbs/acre) | Salt (lbs/acre) |
|---|---|---|---|---|---|
| Anticipated harvest content | 6.00 | 258.00 | 43.80 | 279.00 | 0.00 |
| Total actual harvest content | 5.83 | 88.90 | 10.97 | 333.67 | 981.91 |

## 25 John's Dairy

Field name: 25 John's Dairy

### 02/01/2009: Almond Field Run

Crop: Almond Field Run  Acres planted: 33  Plant date: 02/01/2009

| Harvest date | Yield | Reporting basis | Density (lbs/cu ft) | Moisture (%) | N (mg/kg) | P (mg/kg) | K (mg/kg) | Salt (mg/kg) | TFS (%) |
|---|---|---|---|---|---|---|---|---|---|
| 09/13/2023 | 187.00 *ton* | As-is | | 21.1 | 8,440.00 | 1,100.00 | 31,300.00 | | 11.00 |

| | Yield (tons/acre) | Total N (lbs/acre) | Total P (lbs/acre) | Total K (lbs/acre) | Salt (lbs/acre) |
|---|---|---|---|---|---|
| Anticipated harvest content | 6.00 | 258.00 | 43.80 | 279.00 | 0.00 |
| Total actual harvest content | 5.67 | 95.65 | 12.47 | 354.73 | 983.62 |

## 26 Fulkerth

Field name: 26 Fulkerth

## 26 Fulkerth

### 02/01/2003: Almond Field Run

Crop: Almond Field Run Acres planted: 36 Plant date: 02/01/2003

| Harvest date | Yield | Reporting basis | Density (lbs/cu ft) | Moisture (%) | N (mg/kg) | P (mg/kg) | K (mg/kg) | Salt (mg/kg) | TFS (%) |
|---|---|---|---|---|---|---|---|---|---|
| 09/22/2023 | 233.00 *ton* | As-is | | 17.8 | 6,580.00 | 1,010.00 | 30,200.00 | | 9.83 |

| | Yield (tons/acre) | Total N (lbs/acre) | Total P (lbs/acre) | Total K (lbs/acre) | Salt (lbs/acre) |
|---|---|---|---|---|---|
| Anticipated harvest content | 6.00 | 258.00 | 43.80 | 279.00 | 0.00 |
| Total actual harvest content | 6.47 | 85.17 | 13.07 | 390.92 | 1,045.94 |

## 27 Fransil

Field name: 27 Fransil

### 02/01/2002: Almond Field Run

Crop: Almond Field Run Acres planted: 38 Plant date: 02/01/2002

| Harvest date | Yield | Reporting basis | Density (lbs/cu ft) | Moisture (%) | N (mg/kg) | P (mg/kg) | K (mg/kg) | Salt (mg/kg) | TFS (%) |
|---|---|---|---|---|---|---|---|---|---|
| 09/22/2023 | 279.00 *ton* | As-is | | 18.6 | 6,270.00 | 800.00 | 27,700.00 | | 10.10 |

| | Yield (tons/acre) | Total N (lbs/acre) | Total P (lbs/acre) | Total K (lbs/acre) | Salt (lbs/acre) |
|---|---|---|---|---|---|
| Anticipated harvest content | 6.00 | 258.00 | 43.80 | 279.00 | 0.00 |
| Total actual harvest content | 7.34 | 92.07 | 11.75 | 406.75 | 1,207.25 |

## 28 Crowslanding

Field name: 28 Crowslanding

## 28 Crowslanding

### 02/01/2000: Almond Field Run

Crop: Almond Field Run Acres planted: 37 Plant date: 02/01/2000

| Harvest date | Yield | Reporting basis | Density (lbs/cu ft) | Moisture (%) | N (mg/kg) | P (mg/kg) | K (mg/kg) | Salt (mg/kg) | TFS (%) |
|---|---|---|---|---|---|---|---|---|---|
| 09/21/2023 | 271.00 *ton* | As-is | | 20.6 | 5,800.00 | 870.00 | 29,800.00 | | 11.30 |

| | Yield (tons/acre) | Total N (lbs/acre) | Total P (lbs/acre) | Total K (lbs/acre) | Salt (lbs/acre) |
|---|---|---|---|---|---|
| Anticipated harvest content | 6.00 | 258.00 | 43.80 | 279.00 | 0.00 |
| Total actual harvest content | 7.32 | 84.96 | 12.74 | 436.53 | 1,314.31 |

## 29 Railroad

Field name: 29 Railroad

### 02/01/2007: Almond Field Run

Crop: Almond Field Run Acres planted: 24 Plant date: 02/01/2007

| Harvest date | Yield | Reporting basis | Density (lbs/cu ft) | Moisture (%) | N (mg/kg) | P (mg/kg) | K (mg/kg) | Salt (mg/kg) | TFS (%) |
|---|---|---|---|---|---|---|---|---|---|
| 09/20/2023 | 166.00 *ton* | As-is | | 25.0 | 6,380.00 | 850.00 | 28,300.00 | | 14.00 |

| | Yield (tons/acre) | Total N (lbs/acre) | Total P (lbs/acre) | Total K (lbs/acre) | Salt (lbs/acre) |
|---|---|---|---|---|---|
| Anticipated harvest content | 6.00 | 258.00 | 43.80 | 279.00 | 0.00 |
| Total actual harvest content | 6.92 | 88.26 | 11.76 | 391.48 | 1,452.50 |

## 3 Berryhill West

Field name: 3 Berryhill West

## 3 Berryhill West

### 11/02/2022: Oats, silage-soft dough

Crop: Oats, silage-soft dough Acres planted: 33 Plant date: 11/02/2022

| Harvest date | Yield | Reporting basis | Density (lbs/cu ft) | Moisture (%) | N (mg/kg) | P (mg/kg) | K (mg/kg) | Salt (mg/kg) | TFS (%) |
|---|---|---|---|---|---|---|---|---|---|
| 05/08/2023 | 486.00 *ton* | As-is | | 60.4 | 5,270.00 | 1,270.00 | 11,500.00 | | 7.98 |

| | Yield (tons/acre) | Total N (lbs/acre) | Total P (lbs/acre) | Total K (lbs/acre) | Salt (lbs/acre) |
|---|---|---|---|---|---|
| Anticipated harvest content | 16.00 | 160.00 | 25.60 | 132.80 | 0.00 |
| Total actual harvest content | 14.73 | 155.23 | 37.41 | 338.73 | 930.79 |

### 06/04/2023: Corn, silage

Crop: Corn, silage Acres planted: 33 Plant date: 06/04/2023

| Harvest date | Yield | Reporting basis | Density (lbs/cu ft) | Moisture (%) | N (mg/kg) | P (mg/kg) | K (mg/kg) | Salt (mg/kg) | TFS (%) |
|---|---|---|---|---|---|---|---|---|---|
| 09/13/2023 | 1,082.00 *ton* | As-is | | 69.0 | 4,000.00 | 840.00 | 6,230.00 | | 6.22 |

| | Yield (tons/acre) | Total N (lbs/acre) | Total P (lbs/acre) | Total K (lbs/acre) | Salt (lbs/acre) |
|---|---|---|---|---|---|
| Anticipated harvest content | 35.00 | 280.00 | 52.50 | 231.00 | 0.00 |
| Total actual harvest content | 32.79 | 262.30 | 55.08 | 408.54 | 1,264.43 |

## 30 Borba

Field name: 30 Borba

### 10/31/2022: Oats, silage-soft dough

Crop: Oats, silage-soft dough Acres planted: 115 Plant date: 10/31/2022

| Harvest date | Yield | Reporting basis | Density (lbs/cu ft) | Moisture (%) | N (mg/kg) | P (mg/kg) | K (mg/kg) | Salt (mg/kg) | TFS (%) |
|---|---|---|---|---|---|---|---|---|---|
| 05/09/2023 | 1,782.00 *ton* | As-is | | 56.6 | 5,080.00 | 1,430.00 | 11,700.00 | | 7.71 |

| | Yield (tons/acre) | Total N (lbs/acre) | Total P (lbs/acre) | Total K (lbs/acre) | Salt (lbs/acre) |
|---|---|---|---|---|---|
| Anticipated harvest content | 16.00 | 160.00 | 25.60 | 132.80 | 0.00 |
| Total actual harvest content | 15.50 | 157.44 | 44.32 | 362.60 | 1,037.01 |

## 30 Borba

### 05/29/2023: Corn, silage

Crop: Corn, silage  Acres planted: 115  Plant date: 05/29/2023

| Harvest date | Yield | Reporting basis | Density (lbs/cu ft) | Moisture (%) | N (mg/kg) | P (mg/kg) | K (mg/kg) | Salt (mg/kg) | TFS (%) |
|---|---|---|---|---|---|---|---|---|---|
| 09/09/2023 | 3,289.00 *ton* | As-is | | 70.6 | 3,820.00 | 770.00 | 4,850.00 | | 6.40 |

| | Yield (tons/acre) | Total N (lbs/acre) | Total P (lbs/acre) | Total K (lbs/acre) | Salt (lbs/acre) |
|---|---|---|---|---|---|
| Anticipated harvest content | 35.00 | 280.00 | 52.50 | 231.00 | 0.00 |
| Total actual harvest content | 28.60 | 218.50 | 44.04 | 277.42 | 1,076.28 |

## 31 Costco

Field name: 31 Costco

### 02/01/2011: Almond Field Run

Crop: Almond Field Run  Acres planted: 20  Plant date: 02/01/2011

| Harvest date | Yield | Reporting basis | Density (lbs/cu ft) | Moisture (%) | N (mg/kg) | P (mg/kg) | K (mg/kg) | Salt (mg/kg) | TFS (%) |
|---|---|---|---|---|---|---|---|---|---|
| 09/19/2023 | 151.00 *ton* | As-is | | 19.4 | 6,130.00 | 930.00 | 30,300.00 | | 11.70 |

| | Yield (tons/acre) | Total N (lbs/acre) | Total P (lbs/acre) | Total K (lbs/acre) | Salt (lbs/acre) |
|---|---|---|---|---|---|
| Anticipated harvest content | 6.00 | 258.00 | 43.80 | 279.00 | 0.00 |
| Total actual harvest content | 7.55 | 92.56 | 14.04 | 457.53 | 1,423.96 |

## 32 Trio

Field name: 32 Trio

## 32 Trio

### 10/24/2019: Almond Field Run

Crop: Almond Field Run  Acres planted: 37  Plant date: 10/24/2019

| Harvest date | Yield | Reporting basis | Density (lbs/cu ft) | Moisture (%) | N (mg/kg) | P (mg/kg) | K (mg/kg) | Salt (mg/kg) | TFS (%) |
|---|---|---|---|---|---|---|---|---|---|
| 09/19/2023 | 266.00 *ton* | As-is | | 23.0 | 5,700.00 | 890.00 | 28,100.00 | | 11.40 |

| | Yield (tons/acre) | Total N (lbs/acre) | Total P (lbs/acre) | Total K (lbs/acre) | Salt (lbs/acre) |
|---|---|---|---|---|---|
| Anticipated harvest content | 6.00 | 258.00 | 43.80 | 279.00 | 0.00 |
| Total actual harvest content | 7.19 | 81.96 | 12.80 | 404.03 | 1,262.13 |

## 4 Berryhill North

Field name: 4 Berryhill North

### 02/01/2016: Almond Field Run

Crop: Almond Field Run  Acres planted: 38  Plant date: 02/01/2016

| Harvest date | Yield | Reporting basis | Density (lbs/cu ft) | Moisture (%) | N (mg/kg) | P (mg/kg) | K (mg/kg) | Salt (mg/kg) | TFS (%) |
|---|---|---|---|---|---|---|---|---|---|
| 09/19/2023 | 274.00 *ton* | As-is | | 22.8 | 5,870.00 | 860.00 | 27,600.00 | | 14.10 |

| | Yield (tons/acre) | Total N (lbs/acre) | Total P (lbs/acre) | Total K (lbs/acre) | Salt (lbs/acre) |
|---|---|---|---|---|---|
| Anticipated harvest content | 6.00 | 258.00 | 43.80 | 279.00 | 0.00 |
| Total actual harvest content | 7.21 | 84.65 | 12.40 | 398.02 | 1,569.76 |

## 5 Berryhill

Field name: 5 Berryhill

## 5 Berryhill

### 02/01/2011: Almond Field Run

Crop: Almond Field Run Acres planted: 69 Plant date: 02/01/2011

| Harvest date | Yield | Reporting basis | Density (lbs/cu ft) | Moisture (%) | N (mg/kg) | P (mg/kg) | K (mg/kg) | Salt (mg/kg) | TFS (%) |
|---|---|---|---|---|---|---|---|---|---|
| 09/16/2023 | 462.00 *ton* | As-is | | 25.5 | 6,780.00 | 710.00 | 27,100.00 | | 16.00 |

| | Yield (tons/acre) | Total N (lbs/acre) | Total P (lbs/acre) | Total K (lbs/acre) | Salt (lbs/acre) |
|---|---|---|---|---|---|
| Anticipated harvest content | 6.00 | 258.00 | 43.80 | 279.00 | 0.00 |
| Total actual harvest content | 6.70 | 90.79 | 9.51 | 362.90 | 1,596.24 |

## 6 Drake-Roberts A

Field name: 6 Drake-Roberts A

### 11/02/2022: Oats, silage-soft dough

Crop: Oats, silage-soft dough Acres planted: 12 Plant date: 11/02/2022

| Harvest date | Yield | Reporting basis | Density (lbs/cu ft) | Moisture (%) | N (mg/kg) | P (mg/kg) | K (mg/kg) | Salt (mg/kg) | TFS (%) |
|---|---|---|---|---|---|---|---|---|---|
| 05/08/2023 | 182.00 *ton* | As-is | | 60.2 | 4,860.00 | 1,070.00 | 9,550.00 | | 7.58 |

| | Yield (tons/acre) | Total N (lbs/acre) | Total P (lbs/acre) | Total K (lbs/acre) | Salt (lbs/acre) |
|---|---|---|---|---|---|
| Anticipated harvest content | 16.00 | 160.00 | 25.60 | 132.80 | 0.00 |
| Total actual harvest content | 15.17 | 147.42 | 32.46 | 289.68 | 915.11 |

### 06/04/2023: Corn, silage

Crop: Corn, silage Acres planted: 12 Plant date: 06/04/2023

| Harvest date | Yield | Reporting basis | Density (lbs/cu ft) | Moisture (%) | N (mg/kg) | P (mg/kg) | K (mg/kg) | Salt (mg/kg) | TFS (%) |
|---|---|---|---|---|---|---|---|---|---|
| 09/13/2023 | 362.00 *ton* | As-is | | 70.0 | 3,860.00 | 810.00 | 6,340.00 | | 6.05 |

| | Yield (tons/acre) | Total N (lbs/acre) | Total P (lbs/acre) | Total K (lbs/acre) | Salt (lbs/acre) |
|---|---|---|---|---|---|
| Anticipated harvest content | 35.00 | 280.00 | 52.50 | 231.00 | 0.00 |
| Total actual harvest content | 30.17 | 232.89 | 48.87 | 382.51 | 1,095.05 |

## 6 Drake-Roberts B

Field name: 6 Drake-Roberts B

### 02/01/1995: Almond Field Run

Crop: Almond Field Run Acres planted: 24 Plant date: 02/01/1995

| Harvest date | Yield | Reporting basis | Density (lbs/cu ft) | Moisture (%) | N (mg/kg) | P (mg/kg) | K (mg/kg) | Salt (mg/kg) | TFS (%) |
|---|---|---|---|---|---|---|---|---|---|
| 09/15/2023 | 189.00 *ton* | As-is | | 29.3 | 5,590.00 | 820.00 | 28,700.00 | | 12.10 |

| | Yield (tons/acre) | Total N (lbs/acre) | Total P (lbs/acre) | Total K (lbs/acre) | Salt (lbs/acre) |
|---|---|---|---|---|---|
| Anticipated harvest content | 6.00 | 258.00 | 43.80 | 279.00 | 0.00 |
| Total actual harvest content | 7.88 | 88.04 | 12.92 | 452.03 | 1,347.37 |

## 7 Kilber

Field name: 7 Kilber

### 11/01/2022: Oats, silage-soft dough

Crop: Oats, silage-soft dough Acres planted: 38 Plant date: 11/01/2022

| Harvest date | Yield | Reporting basis | Density (lbs/cu ft) | Moisture (%) | N (mg/kg) | P (mg/kg) | K (mg/kg) | Salt (mg/kg) | TFS (%) |
|---|---|---|---|---|---|---|---|---|---|
| 05/08/2023 | 606.00 *ton* | As-is | | 60.4 | 5,150.00 | 1,190.00 | 11,100.00 | | 7.21 |

| | Yield (tons/acre) | Total N (lbs/acre) | Total P (lbs/acre) | Total K (lbs/acre) | Salt (lbs/acre) |
|---|---|---|---|---|---|
| Anticipated harvest content | 16.00 | 160.00 | 25.60 | 132.80 | 0.00 |
| Total actual harvest content | 15.95 | 164.26 | 37.95 | 354.03 | 910.65 |

### 06/02/2023: Corn, silage

Crop: Corn, silage Acres planted: 38 Plant date: 06/02/2023

| Harvest date | Yield | Reporting basis | Density (lbs/cu ft) | Moisture (%) | N (mg/kg) | P (mg/kg) | K (mg/kg) | Salt (mg/kg) | TFS (%) |
|---|---|---|---|---|---|---|---|---|---|
| 09/12/2023 | 1,255.00 *ton* | As-is | | 68.8 | 3,460.00 | 840.00 | 5,520.00 | | 6.80 |

| | Yield (tons/acre) | Total N (lbs/acre) | Total P (lbs/acre) | Total K (lbs/acre) | Salt (lbs/acre) |
|---|---|---|---|---|---|
| Anticipated harvest content | 35.00 | 280.00 | 52.50 | 231.00 | 0.00 |
| Total actual harvest content | 33.03 | 228.54 | 55.48 | 364.61 | 1,401.37 |

## 8 Enochs

Field name: 8 Enochs

### 11/01/2022: Oats, silage-soft dough

Crop: Oats, silage-soft dough Acres planted: 38 Plant date: 11/01/2022

| Harvest date | Yield | Reporting basis | Density (lbs/cu ft) | Moisture (%) | N (mg/kg) | P (mg/kg) | K (mg/kg) | Salt (mg/kg) | TFS (%) |
|---|---|---|---|---|---|---|---|---|---|
| 05/08/2023 | 628.00 *ton* | As-is | | 67.0 | 5,050.00 | 1,090.00 | 10,200.00 | | 6.98 |

| | Yield (tons/acre) | Total N (lbs/acre) | Total P (lbs/acre) | Total K (lbs/acre) | Salt (lbs/acre) |
|---|---|---|---|---|---|
| Anticipated harvest content | 16.00 | 160.00 | 25.60 | 132.80 | 0.00 |
| Total actual harvest content | 16.53 | 166.92 | 36.03 | 337.14 | 761.33 |

### 06/02/2023: Corn, silage

Crop: Corn, silage Acres planted: 38 Plant date: 06/02/2023

| Harvest date | Yield | Reporting basis | Density (lbs/cu ft) | Moisture (%) | N (mg/kg) | P (mg/kg) | K (mg/kg) | Salt (mg/kg) | TFS (%) |
|---|---|---|---|---|---|---|---|---|---|
| 09/12/2023 | 1,322.00 *ton* | As-is | | 71.0 | 3,190.00 | 760.00 | 5,100.00 | | 7.70 |

| | Yield (tons/acre) | Total N (lbs/acre) | Total P (lbs/acre) | Total K (lbs/acre) | Salt (lbs/acre) |
|---|---|---|---|---|---|
| Anticipated harvest content | 35.00 | 280.00 | 52.50 | 231.00 | 0.00 |
| Total actual harvest content | 34.79 | 221.96 | 52.88 | 354.85 | 1,553.70 |

## 9 Back 40

Field name: 9 Back 40

### 11/01/2022: Oats, silage-soft dough

Crop: Oats, silage-soft dough Acres planted: 40 Plant date: 11/01/2022

| Harvest date | Yield | Reporting basis | Density (lbs/cu ft) | Moisture (%) | N (mg/kg) | P (mg/kg) | K (mg/kg) | Salt (mg/kg) | TFS (%) |
|---|---|---|---|---|---|---|---|---|---|
| 05/08/2023 | 712.00 *ton* | As-is | | 66.6 | 5,180.00 | 940.00 | 9,690.00 | | 7.07 |

| | Yield (tons/acre) | Total N (lbs/acre) | Total P (lbs/acre) | Total K (lbs/acre) | Salt (lbs/acre) |
|---|---|---|---|---|---|
| Anticipated harvest content | 16.00 | 160.00 | 25.60 | 132.80 | 0.00 |
| Total actual harvest content | 17.80 | 184.41 | 33.46 | 344.96 | 840.65 |

9 Back 40

06/03/2023: Corn, silage

Crop: Corn, silage Acres planted: 40 Plant date: 06/03/2023

| Harvest date | Yield | Reporting basis | Density (lbs/cu ft) | Moisture (%) | N (mg/kg) | P (mg/kg) | K (mg/kg) | Salt (mg/kg) | TFS (%) |
|---|---|---|---|---|---|---|---|---|---|
| 09/13/2023 | 1,402.00 *ton* | As-is | | 70.8 | 3,640.00 | 810.00 | 6,500.00 | | 6.89 |

| | Yield (tons/acre) | Total N (lbs/acre) | Total P (lbs/acre) | Total K (lbs/acre) | Salt (lbs/acre) |
|---|---|---|---|---|---|
| Anticipated harvest content | 35.00 | 280.00 | 52.50 | 231.00 | 0.00 |
| Total actual harvest content | 35.05 | 255.16 | 56.78 | 455.65 | 1,410.33 |

NUTRIENT BUDGET

## A. LAND APPLICATIONS

### 1 Berryhill Lagoon - 11/03/2022: Oats, silage-soft dough

Field name: 1 Berryhill Lagoon

Crop: Oats, silage-soft dough — Plant date: 11/03/2022

| Application date | Application method | Precipitation 24 hours prior | Precipitation during application | Precipitation 24 hours following |
|---|---|---|---|---|
| 10/16/2022 | Surface (irrigation) | No precipitation | No precipitation | No precipitation |

| Source description | Material type | N (lbs/acre) | P (lbs/acre) | K (lbs/acre) | Salt (lbs/acre) | Amount |
|---|---|---|---|---|---|---|
| WWS | Process wastewater | 69.11 | 8.82 | 62.89 | 833.93 | 303,659.00 *gal* |
| TID Lateral 3 | Ground water | 0.00 | 0.00 | 0.00 | 0.00 | 1,620,000.00 *gal* |
| Application event totals | | 69.11 | 8.82 | 62.89 | 833.93 | |

| Application date | Application method | Precipitation 24 hours prior | Precipitation during application | Precipitation 24 hours following |
|---|---|---|---|---|
| 02/10/2023 | Surface (irrigation) | No precipitation | No precipitation | No precipitation |

| Source description | Material type | N (lbs/acre) | P (lbs/acre) | K (lbs/acre) | Salt (lbs/acre) | Amount |
|---|---|---|---|---|---|---|
| WWS | Process wastewater | 63.86 | 6.02 | 110.17 | 636.24 | 154,166.00 *gal* |
| IW- Dairy | Ground water | 5.75 | 0.00 | 0.00 | 232.69 | 864,000.00 *gal* |
| Application event totals | | 69.61 | 6.02 | 110.17 | 868.93 | |

| Application date | Application method | Precipitation 24 hours prior | Precipitation during application | Precipitation 24 hours following |
|---|---|---|---|---|
| 04/11/2023 | Surface (irrigation) | No precipitation | No precipitation | No precipitation |

| Source description | Material type | N (lbs/acre) | P (lbs/acre) | K (lbs/acre) | Salt (lbs/acre) | Amount |
|---|---|---|---|---|---|---|
| WWS | Process wastewater | 118.93 | 11.22 | 205.19 | 1,184.96 | 287,126.00 *gal* |
| TID Lateral 3 | Ground water | 0.00 | 0.00 | 0.00 | 24.89 | 1,215,000.00 *gal* |
| Application event totals | | 118.93 | 11.22 | 205.19 | 1,209.85 | |

### 1 Berryhill Lagoon - 06/05/2023: Corn, silage

Field name: 1 Berryhill Lagoon

Crop: Corn, silage — Plant date: 06/05/2023

| Application date | Application method | Precipitation 24 hours prior | Precipitation during application | Precipitation 24 hours following |
|---|---|---|---|---|

1 Berryhill Lagoon - 06/05/2023: Corn, silage

| Application date | Application method | Precipitation 24 hours prior | Precipitation during application | Precipitation 24 hours following |
|---|---|---|---|---|
| 05/26/2023 | Surface (irrigation) | No precipitation | No precipitation | No precipitation |

| Source description | Material type | N (lbs/acre) | P (lbs/acre) | K (lbs/acre) | Salt (lbs/acre) | Amount |
|---|---|---|---|---|---|---|
| WWS | Process wastewater | 228.89 | 6.39 | 179.72 | 698.52 | 223,486.00 *gal* |
| TID Lateral 3 | Ground water | 0.00 | 0.00 | 0.00 | 41.48 | 2,025,000.00 *gal* |
| Application event totals | | 228.89 | 6.39 | 179.72 | 740.00 | |

| | | | | |
|---|---|---|---|---|
| 07/06/2023 | Surface (irrigation) | No precipitation | No precipitation | No precipitation |

| Source description | Material type | N (lbs/acre) | P (lbs/acre) | K (lbs/acre) | Salt (lbs/acre) | Amount |
|---|---|---|---|---|---|---|
| TID Lateral 3 | Ground water | 0.00 | 0.00 | 0.00 | 33.18 | 1,620,000.00 *gal* |
| Application event totals | | 0.00 | 0.00 | 0.00 | 33.18 | |

| | | | | |
|---|---|---|---|---|
| 07/17/2023 | Surface (irrigation) | No precipitation | No precipitation | No precipitation |

| Source description | Material type | N (lbs/acre) | P (lbs/acre) | K (lbs/acre) | Salt (lbs/acre) | Amount |
|---|---|---|---|---|---|---|
| WWS | Process wastewater | 102.88 | 4.43 | 103.32 | 1,101.11 | 194,562.00 *gal* |
| TID Lateral 3 | Ground water | 0.00 | 0.00 | 0.00 | 29.03 | 1,417,500.00 *gal* |
| Application event totals | | 102.88 | 4.43 | 103.32 | 1,130.14 | |

| | | | | |
|---|---|---|---|---|
| 07/28/2023 | Surface (irrigation) | No precipitation | No precipitation | No precipitation |

| Source description | Material type | N (lbs/acre) | P (lbs/acre) | K (lbs/acre) | Salt (lbs/acre) | Amount |
|---|---|---|---|---|---|---|
| TID Lateral 3 | Ground water | 0.00 | 0.00 | 0.00 | 29.03 | 1,417,500.00 *gal* |
| Application event totals | | 0.00 | 0.00 | 0.00 | 29.03 | |

| | | | | |
|---|---|---|---|---|
| 08/08/2023 | Surface (irrigation) | No precipitation | No precipitation | No precipitation |

| Source description | Material type | N (lbs/acre) | P (lbs/acre) | K (lbs/acre) | Salt (lbs/acre) | Amount |
|---|---|---|---|---|---|---|
| TID Lateral 3 | Ground water | 0.00 | 0.00 | 0.00 | 24.89 | 1,215,000.00 *gal* |
| Application event totals | | 0.00 | 0.00 | 0.00 | 24.89 | |

| | | | | |
|---|---|---|---|---|
| 08/19/2023 | Surface (irrigation) | No precipitation | No precipitation | No precipitation |

| Source description | Material type | N (lbs/acre) | P (lbs/acre) | K (lbs/acre) | Salt (lbs/acre) | Amount |
|---|---|---|---|---|---|---|
| TID Lateral 3 | Ground water | 0.00 | 0.00 | 0.00 | 24.89 | 1,215,000.00 *gal* |
| Application event totals | | 0.00 | 0.00 | 0.00 | 24.89 | |

## 1 Berryhill Lagoon - 06/05/2023: Corn, silage

| Application date | Application method | Precipitation 24 hours prior | Precipitation during application | Precipitation 24 hours following |
|---|---|---|---|---|
| 08/30/2023 | Surface (irrigation) | No precipitation | No precipitation | No precipitation |

| Source description | Material type | N (lbs/acre) | P (lbs/acre) | K (lbs/acre) | Salt (lbs/acre) | Amount |
|---|---|---|---|---|---|---|
| TID Lateral 3 | Ground water | 0.00 | 0.00 | 0.00 | 20.74 | 1,012,500.00 *gal* |
| Application event totals | | 0.00 | 0.00 | 0.00 | 20.74 | |

## 10 Yori North - 10/29/2022: Oats, silage-soft dough

Field name: 10 Yori North

Crop: Oats, silage-soft dough

Plant date: 10/29/2022

| Application date | Application method | Precipitation 24 hours prior | Precipitation during application | Precipitation 24 hours following |
|---|---|---|---|---|
| 02/16/2023 | Surface (irrigation) | No precipitation | No precipitation | No precipitation |

| Source description | Material type | N (lbs/acre) | P (lbs/acre) | K (lbs/acre) | Salt (lbs/acre) | Amount |
|---|---|---|---|---|---|---|
| WWS | Process wastewater | 47.27 | 4.46 | 81.56 | 471.00 | 404,632.00 *gal* |
| IW- Harolds Field | Ground water | 0.00 | 0.00 | 0.00 | 188.57 | 2,592,000.00 *gal* |
| Application event totals | | 47.27 | 4.46 | 81.56 | 659.57 | |

| | | | | |
|---|---|---|---|---|
| 04/05/2023 | Surface (irrigation) | No precipitation | No precipitation | No precipitation |

| Source description | Material type | N (lbs/acre) | P (lbs/acre) | K (lbs/acre) | Salt (lbs/acre) | Amount |
|---|---|---|---|---|---|---|
| WWS | Process wastewater | 75.50 | 7.12 | 130.26 | 752.26 | 646,262.00 *gal* |
| TID Lateral 3 | Ground water | 0.00 | 0.00 | 0.00 | 42.12 | 7,290,000.00 *gal* |
| Application event totals | | 75.50 | 7.12 | 130.26 | 794.38 | |

| | | | | |
|---|---|---|---|---|
| 10/12/2023 | Surface (irrigation) | No precipitation | No precipitation | No precipitation |

| Source description | Material type | N (lbs/acre) | P (lbs/acre) | K (lbs/acre) | Salt (lbs/acre) | Amount |
|---|---|---|---|---|---|---|
| WWS | Process wastewater | 47.00 | 6.00 | 42.77 | 567.13 | 732,166.00 *gal* |
| TID Lateral 3 | Ground water | 0.00 | 0.00 | 0.00 | 0.00 | 7,290,000.00 *gal* |
| Application event totals | | 47.00 | 6.00 | 42.77 | 567.13 | |

## 10 Yori North - 05/31/2023: Corn, silage

## 10 Yori North - 05/31/2023: Corn, silage

Field name: 10 Yori North

Crop: Corn, silage

Plant date: 05/31/2023

| Application date | Application method | Precipitation 24 hours prior | Precipitation during application | Precipitation 24 hours following |
|---|---|---|---|---|
| 05/21/2023 | Surface (irrigation) | No precipitation | No precipitation | No precipitation |

| Source description | Material type | N (lbs/acre) | P (lbs/acre) | K (lbs/acre) | Salt (lbs/acre) | Amount |
|---|---|---|---|---|---|---|
| WWS | Process wastewater | 212.89 | 5.95 | 167.16 | 649.71 | 736,984.00 *gal* |
| TID Lateral 3 | Ground water | 0.00 | 0.00 | 0.00 | 42.12 | 7,290,000.00 *gal* |
| Application event totals | | 212.89 | 5.95 | 167.16 | 691.82 | |

| | | | | |
|---|---|---|---|---|
| 07/01/2023 | Surface (irrigation) | No precipitation | No precipitation | No precipitation |

| Source description | Material type | N (lbs/acre) | P (lbs/acre) | K (lbs/acre) | Salt (lbs/acre) | Amount |
|---|---|---|---|---|---|---|
| TID Lateral 3 | Ground water | 0.00 | 0.00 | 0.00 | 39.19 | 6,783,750.00 *gal* |
| Application event totals | | 0.00 | 0.00 | 0.00 | 39.19 | |

| | | | | |
|---|---|---|---|---|
| 07/12/2023 | Surface (irrigation) | No precipitation | No precipitation | No precipitation |

| Source description | Material type | N (lbs/acre) | P (lbs/acre) | K (lbs/acre) | Salt (lbs/acre) | Amount |
|---|---|---|---|---|---|---|
| TID Lateral 3 | Ground water | 0.00 | 0.00 | 0.00 | 38.61 | 6,682,500.00 *gal* |
| Application event totals | | 0.00 | 0.00 | 0.00 | 38.61 | |

| | | | | |
|---|---|---|---|---|
| 07/23/2023 | Surface (irrigation) | No precipitation | No precipitation | No precipitation |

| Source description | Material type | N (lbs/acre) | P (lbs/acre) | K (lbs/acre) | Salt (lbs/acre) | Amount |
|---|---|---|---|---|---|---|
| WWS | Process wastewater | 108.69 | 4.68 | 109.15 | 1,163.28 | 728,756.00 *gal* |
| TID Lateral 3 | Ground water | 0.00 | 0.00 | 0.00 | 37.44 | 6,480,000.00 *gal* |
| Application event totals | | 108.69 | 4.68 | 109.15 | 1,200.71 | |

| | | | | |
|---|---|---|---|---|
| 08/03/2023 | Surface (irrigation) | No precipitation | No precipitation | No precipitation |

| Source description | Material type | N (lbs/acre) | P (lbs/acre) | K (lbs/acre) | Salt (lbs/acre) | Amount |
|---|---|---|---|---|---|---|
| TID Lateral 3 | Ground water | 0.00 | 0.00 | 0.00 | 35.10 | 6,075,000.00 *gal* |
| Application event totals | | 0.00 | 0.00 | 0.00 | 35.10 | |

## 10 Yori North - 05/31/2023: Corn, silage

| Application date | Application method | Precipitation 24 hours prior | Precipitation during application | Precipitation 24 hours following |
|---|---|---|---|---|
| 08/14/2023 | Surface (irrigation) | No precipitation | No precipitation | No precipitation |

| Source description | Material type | N (lbs/acre) | P (lbs/acre) | K (lbs/acre) | Salt (lbs/acre) | Amount |
|---|---|---|---|---|---|---|
| TID Lateral 3 | Ground water | 0.00 | 0.00 | 0.00 | 32.76 | 5,670,000.00 *gal* |
| Application event totals | | 0.00 | 0.00 | 0.00 | 32.76 | |

| Application date | Application method | Precipitation 24 hours prior | Precipitation during application | Precipitation 24 hours following |
|---|---|---|---|---|
| 08/25/2023 | Surface (irrigation) | No precipitation | No precipitation | No precipitation |

| Source description | Material type | N (lbs/acre) | P (lbs/acre) | K (lbs/acre) | Salt (lbs/acre) | Amount |
|---|---|---|---|---|---|---|
| TID Lateral 3 | Ground water | 0.00 | 0.00 | 0.00 | 35.10 | 6,075,000.00 *gal* |
| Application event totals | | 0.00 | 0.00 | 0.00 | 35.10 | |

## 11 Yori South - 10/29/2022: Oats, silage-soft dough

Field name: 11 Yori South

Crop: Oats, silage-soft dough

Plant date: 10/29/2022

| Application date | Application method | Precipitation 24 hours prior | Precipitation during application | Precipitation 24 hours following |
|---|---|---|---|---|
| 10/02/2022 | Broadcast/incorporate | No precipitation | No precipitation | No precipitation |

| Source description | Material type | N (lbs/acre) | P (lbs/acre) | K (lbs/acre) | Salt (lbs/acre) | Amount |
|---|---|---|---|---|---|---|
| Corral Solids | Corral solids | 213.43 | 92.52 | 637.15 | 4,846.95 | 140.00 *ton* |
| Application event totals | | 213.43 | 92.52 | 637.15 | 4,846.95 | |

| Application date | Application method | Precipitation 24 hours prior | Precipitation during application | Precipitation 24 hours following |
|---|---|---|---|---|
| 10/11/2022 | Surface (irrigation) | No precipitation | No precipitation | No precipitation |

| Source description | Material type | N (lbs/acre) | P (lbs/acre) | K (lbs/acre) | Salt (lbs/acre) | Amount |
|---|---|---|---|---|---|---|
| TID Lateral 3 | Ground water | 0.00 | 0.00 | 0.00 | 0.00 | 3,645,000.00 *gal* |
| Application event totals | | 0.00 | 0.00 | 0.00 | 0.00 | |

| Application date | Application method | Precipitation 24 hours prior | Precipitation during application | Precipitation 24 hours following |
|---|---|---|---|---|
| 04/05/2023 | Surface (irrigation) | No precipitation | No precipitation | No precipitation |

| Source description | Material type | N (lbs/acre) | P (lbs/acre) | K (lbs/acre) | Salt (lbs/acre) | Amount |
|---|---|---|---|---|---|---|
| TID Lateral 3 | Ground water | 0.00 | 0.00 | 0.00 | 36.50 | 3,240,000.00 *gal* |
| Application event totals | | 0.00 | 0.00 | 0.00 | 36.50 | |

## 11 Yori South - 05/31/2023: Corn, silage

Field name: 11 Yori South

Crop: Corn, silage

Plant date: 05/31/2023

| Application date | Application method | Precipitation 24 hours prior | Precipitation during application | Precipitation 24 hours following |
|---|---|---|---|---|
| 05/08/2023 | Surface (irrigation) | No precipitation | No precipitation | No precipitation |

| Source description | Material type | N (lbs/acre) | P (lbs/acre) | K (lbs/acre) | Salt (lbs/acre) | Amount |
|---|---|---|---|---|---|---|
| Corral Solids | Corral solids | 277.55 | 89.17 | 48.78 | 6,471.54 | 150.00 *ton* |
| Application event totals | | 277.55 | 89.17 | 48.78 | 6,471.54 | |

| Application date | Application method | Precipitation 24 hours prior | Precipitation during application | Precipitation 24 hours following |
|---|---|---|---|---|
| 05/22/2023 | Surface (irrigation) | No precipitation | No precipitation | No precipitation |

| Source description | Material type | N (lbs/acre) | P (lbs/acre) | K (lbs/acre) | Salt (lbs/acre) | Amount |
|---|---|---|---|---|---|---|
| TID Lateral 3 | Ground water | 0.00 | 0.00 | 0.00 | 45.63 | 4,050,000.00 *gal* |
| Application event totals | | 0.00 | 0.00 | 0.00 | 45.63 | |

| Application date | Application method | Precipitation 24 hours prior | Precipitation during application | Precipitation 24 hours following |
|---|---|---|---|---|
| 07/02/2023 | Surface (irrigation) | No precipitation | No precipitation | No precipitation |

| Source description | Material type | N (lbs/acre) | P (lbs/acre) | K (lbs/acre) | Salt (lbs/acre) | Amount |
|---|---|---|---|---|---|---|
| TID Lateral 3 | Ground water | 0.00 | 0.00 | 0.00 | 41.06 | 3,645,000.00 *gal* |
| Application event totals | | 0.00 | 0.00 | 0.00 | 41.06 | |

| Application date | Application method | Precipitation 24 hours prior | Precipitation during application | Precipitation 24 hours following |
|---|---|---|---|---|
| 07/13/2023 | Surface (irrigation) | No precipitation | No precipitation | No precipitation |

| Source description | Material type | N (lbs/acre) | P (lbs/acre) | K (lbs/acre) | Salt (lbs/acre) | Amount |
|---|---|---|---|---|---|---|
| TID Lateral 3 | Ground water | 0.00 | 0.00 | 0.00 | 43.34 | 3,847,500.00 *gal* |
| Application event totals | | 0.00 | 0.00 | 0.00 | 43.34 | |

| Application date | Application method | Precipitation 24 hours prior | Precipitation during application | Precipitation 24 hours following |
|---|---|---|---|---|
| 07/24/2023 | Surface (irrigation) | No precipitation | No precipitation | No precipitation |

| Source description | Material type | N (lbs/acre) | P (lbs/acre) | K (lbs/acre) | Salt (lbs/acre) | Amount |
|---|---|---|---|---|---|---|
| TID Lateral 3 | Ground water | 0.00 | 0.00 | 0.00 | 41.06 | 3,645,000.00 *gal* |
| Application event totals | | 0.00 | 0.00 | 0.00 | 41.06 | |

| Application date | Application method | Precipitation 24 hours prior | Precipitation during application | Precipitation 24 hours following |
|---|---|---|---|---|
| 08/04/2023 | Surface (irrigation) | No precipitation | No precipitation | No precipitation |

| Source description | Material type | N (lbs/acre) | P (lbs/acre) | K (lbs/acre) | Salt (lbs/acre) | Amount |
|---|---|---|---|---|---|---|
| TID Lateral 3 | Ground water | 0.00 | 0.00 | 0.00 | 36.50 | 3,240,000.00 *gal* |
| Application event totals | | 0.00 | 0.00 | 0.00 | 36.50 | |

## 11 Yori South - 05/31/2023: Corn, silage

| Application date | Application method | Precipitation 24 hours prior | Precipitation during application | Precipitation 24 hours following |
|---|---|---|---|---|
| 08/15/2023 | Surface (irrigation) | No precipitation | No precipitation | No precipitation |

| Source description | Material type | N (lbs/acre) | P (lbs/acre) | K (lbs/acre) | Salt (lbs/acre) | Amount |
|---|---|---|---|---|---|---|
| TID Lateral 3 | Ground water | 0.00 | 0.00 | 0.00 | 36.50 | 3,240,000.00 *gal* |
| Application event totals | | 0.00 | 0.00 | 0.00 | 36.50 | |

| | | | | |
|---|---|---|---|---|
| 08/26/2023 | Surface (irrigation) | No precipitation | No precipitation | No precipitation |

| Source description | Material type | N (lbs/acre) | P (lbs/acre) | K (lbs/acre) | Salt (lbs/acre) | Amount |
|---|---|---|---|---|---|---|
| TID Lateral 3 | Ground water | 0.00 | 0.00 | 0.00 | 36.50 | 3,240,000.00 *gal* |
| Application event totals | | 0.00 | 0.00 | 0.00 | 36.50 | |

## 12 Harold's House - 02/01/2005: Almond Field Run

Field name: 12 Harold's House

Crop: Almond Field Run

Plant date: 02/01/2005

| Application date | Application method | Precipitation 24 hours prior | Precipitation during application | Precipitation 24 hours following |
|---|---|---|---|---|
| 11/22/2022 | Broadcast/incorporate | No precipitation | No precipitation | No precipitation |

| Source description | Material type | N (lbs/acre) | P (lbs/acre) | K (lbs/acre) | Salt (lbs/acre) | Amount |
|---|---|---|---|---|---|---|
| Compost | Compost | 69.64 | 24.65 | 136.39 | 1,106.76 | 65.00 *ton* |
| Application event totals | | 69.64 | 24.65 | 136.39 | 1,106.76 | |

| | | | | |
|---|---|---|---|---|
| 04/01/2023 | Surface (irrigation) | No precipitation | No precipitation | No precipitation |

| Source description | Material type | N (lbs/acre) | P (lbs/acre) | K (lbs/acre) | Salt (lbs/acre) | Amount |
|---|---|---|---|---|---|---|
| TID Lateral 3 | Ground water | 0.00 | 0.00 | 0.00 | 25.90 | 4,023,625.00 *gal* |
| Application event totals | | 0.00 | 0.00 | 0.00 | 25.90 | |

| | | | | |
|---|---|---|---|---|
| 04/21/2023 | Sidedress | No precipitation | No precipitation | No precipitation |

| Source description | Material type | N (lbs/acre) | P (lbs/acre) | K (lbs/acre) | Salt (lbs/acre) | Amount |
|---|---|---|---|---|---|---|
| UN 32 | Solid commercial fertilizer | 36.80 | 0.00 | 0.00 | 0.00 | |
| Application event totals | | 36.80 | 0.00 | 0.00 | 0.00 | |

## 12 Harold's House - 02/01/2005: Almond Field Run

| Application date | Application method | Precipitation 24 hours prior | Precipitation during application | Precipitation 24 hours following |
|---|---|---|---|---|
| 05/01/2023 | Surface (irrigation) | No precipitation | No precipitation | No precipitation |

| Source description | Material type | N (lbs/acre) | P (lbs/acre) | K (lbs/acre) | Salt (lbs/acre) | Amount |
|---|---|---|---|---|---|---|
| TID Lateral 3 | Ground water | 0.00 | 0.00 | 0.00 | 51.80 | 8,046,530.00 *gal* |
| Application event totals | | 0.00 | 0.00 | 0.00 | 51.80 | |

| Application date | Application method | Precipitation 24 hours prior | Precipitation during application | Precipitation 24 hours following |
|---|---|---|---|---|
| 06/01/2023 | Surface (irrigation) | No precipitation | No precipitation | No precipitation |

| Source description | Material type | N (lbs/acre) | P (lbs/acre) | K (lbs/acre) | Salt (lbs/acre) | Amount |
|---|---|---|---|---|---|---|
| TID Lateral 3 | Ground water | 0.00 | 0.00 | 0.00 | 51.80 | 8,046,530.00 *gal* |
| Application event totals | | 0.00 | 0.00 | 0.00 | 51.80 | |

| Application date | Application method | Precipitation 24 hours prior | Precipitation during application | Precipitation 24 hours following |
|---|---|---|---|---|
| 07/01/2023 | Surface (irrigation) | No precipitation | No precipitation | No precipitation |

| Source description | Material type | N (lbs/acre) | P (lbs/acre) | K (lbs/acre) | Salt (lbs/acre) | Amount |
|---|---|---|---|---|---|---|
| TID Lateral 3 | Ground water | 0.00 | 0.00 | 0.00 | 51.80 | 8,046,530.00 *gal* |
| Application event totals | | 0.00 | 0.00 | 0.00 | 51.80 | |

| Application date | Application method | Precipitation 24 hours prior | Precipitation during application | Precipitation 24 hours following |
|---|---|---|---|---|
| 08/01/2023 | Surface (irrigation) | No precipitation | No precipitation | No precipitation |

| Source description | Material type | N (lbs/acre) | P (lbs/acre) | K (lbs/acre) | Salt (lbs/acre) | Amount |
|---|---|---|---|---|---|---|
| TID Lateral 3 | Ground water | 0.00 | 0.00 | 0.00 | 51.80 | 8,046,530.00 *gal* |
| Application event totals | | 0.00 | 0.00 | 0.00 | 51.80 | |

| Application date | Application method | Precipitation 24 hours prior | Precipitation during application | Precipitation 24 hours following |
|---|---|---|---|---|
| 09/01/2023 | Surface (irrigation) | No precipitation | No precipitation | No precipitation |

| Source description | Material type | N (lbs/acre) | P (lbs/acre) | K (lbs/acre) | Salt (lbs/acre) | Amount |
|---|---|---|---|---|---|---|
| TID Lateral 3 | Ground water | 0.00 | 0.00 | 0.00 | 25.90 | 4,023,265.00 *gal* |
| Application event totals | | 0.00 | 0.00 | 0.00 | 25.90 | |

## 13 McCoy A - 10/29/2022: Oats, silage-soft dough

Field name: 13 McCoy A

Crop: Oats, silage-soft dough

Plant date: 10/29/2022

| Application date | Application method | Precipitation 24 hours prior | Precipitation during application | Precipitation 24 hours following |
|---|---|---|---|---|

## 13 McCoy A - 10/29/2022: Oats, silage-soft dough

| Application date | Application method | Precipitation 24 hours prior | Precipitation during application | Precipitation 24 hours following |
|---|---|---|---|---|
| 10/11/2022 | Surface (irrigation) | No precipitation | No precipitation | No precipitation |

| Source description | Material type | N (lbs/acre) | P (lbs/acre) | K (lbs/acre) | Salt (lbs/acre) | Amount |
|---|---|---|---|---|---|---|
| WWS | Process wastewater | 60.87 | 7.77 | 55.39 | 734.50 | 632,166.00 *gal* |
| TID Lateral 3 | Ground water | 0.00 | 0.00 | 0.00 | 0.00 | 4,455,000.00 *gal* |
| Application event totals | | 60.87 | 7.77 | 55.39 | 734.50 | |

| | | | | |
|---|---|---|---|---|
| 02/17/2023 | Surface (irrigation) | No precipitation | No precipitation | No precipitation |

| Source description | Material type | N (lbs/acre) | P (lbs/acre) | K (lbs/acre) | Salt (lbs/acre) | Amount |
|---|---|---|---|---|---|---|
| WWS | Process wastewater | 67.40 | 6.36 | 116.29 | 671.57 | 384,626.00 *gal* |
| IW- Harolds Field | Ground water | 0.00 | 0.00 | 0.00 | 282.86 | 2,592,000.00 *gal* |
| Application event totals | | 67.40 | 6.36 | 116.29 | 954.43 | |

| | | | | |
|---|---|---|---|---|
| 04/04/2023 | Surface (irrigation) | No precipitation | No precipitation | No precipitation |

| Source description | Material type | N (lbs/acre) | P (lbs/acre) | K (lbs/acre) | Salt (lbs/acre) | Amount |
|---|---|---|---|---|---|---|
| WWS | Process wastewater | 98.95 | 9.33 | 170.71 | 985.83 | 564,612.00 *gal* |
| TID Lateral 3 | Ground water | 0.00 | 0.00 | 0.00 | 35.10 | 4,050,000.00 *gal* |
| Application event totals | | 98.95 | 9.33 | 170.71 | 1,020.93 | |

## 13 McCoy A - 06/03/2023: Corn, silage

Field name: 13 McCoy A

Crop: Corn, silage

Plant date: 06/03/2023

| Application date | Application method | Precipitation 24 hours prior | Precipitation during application | Precipitation 24 hours following |
|---|---|---|---|---|
| 05/24/2023 | Surface (irrigation) | No precipitation | No precipitation | No precipitation |

| Source description | Material type | N (lbs/acre) | P (lbs/acre) | K (lbs/acre) | Salt (lbs/acre) | Amount |
|---|---|---|---|---|---|---|
| WWS | Process wastewater | 211.30 | 5.90 | 165.91 | 644.85 | 487,652.00 *gal* |
| TID Lateral 3 | Ground water | 0.00 | 0.00 | 0.00 | 42.12 | 4,860,000.00 *gal* |
| Application event totals | | 211.30 | 5.90 | 165.91 | 686.97 | |

13 McCoy A - 06/03/2023: Corn, silage

| Application date | Application method | Precipitation 24 hours prior | Precipitation during application | Precipitation 24 hours following |
|---|---|---|---|---|
| 07/04/2023 | Surface (irrigation) | No precipitation | No precipitation | No precipitation |

| Source description | Material type | N (lbs/acre) | P (lbs/acre) | K (lbs/acre) | Salt (lbs/acre) | Amount |
|---|---|---|---|---|---|---|
| TID Lateral 3 | Ground water | 0.00 | 0.00 | 0.00 | 37.73 | 4,353,750.00 *gal* |
| Application event totals | | 0.00 | 0.00 | 0.00 | 37.73 | |

| Application date | Application method | Precipitation 24 hours prior | Precipitation during application | Precipitation 24 hours following |
|---|---|---|---|---|
| 07/15/2023 | Surface (irrigation) | No precipitation | No precipitation | No precipitation |

| Source description | Material type | N (lbs/acre) | P (lbs/acre) | K (lbs/acre) | Salt (lbs/acre) | Amount |
|---|---|---|---|---|---|---|
| TID Lateral 3 | Ground water | 0.00 | 0.00 | 0.00 | 36.85 | 4,252,500.00 *gal* |
| Application event totals | | 0.00 | 0.00 | 0.00 | 36.85 | |

| Application date | Application method | Precipitation 24 hours prior | Precipitation during application | Precipitation 24 hours following |
|---|---|---|---|---|
| 07/26/2023 | Surface (irrigation) | No precipitation | No precipitation | No precipitation |

| Source description | Material type | N (lbs/acre) | P (lbs/acre) | K (lbs/acre) | Salt (lbs/acre) | Amount |
|---|---|---|---|---|---|---|
| TID Lateral 3 | Ground water | 0.00 | 0.00 | 0.00 | 35.10 | 4,050,000.00 *gal* |
| Application event totals | | 0.00 | 0.00 | 0.00 | 35.10 | |

| Application date | Application method | Precipitation 24 hours prior | Precipitation during application | Precipitation 24 hours following |
|---|---|---|---|---|
| 08/06/2023 | Surface (irrigation) | No precipitation | No precipitation | No precipitation |

| Source description | Material type | N (lbs/acre) | P (lbs/acre) | K (lbs/acre) | Salt (lbs/acre) | Amount |
|---|---|---|---|---|---|---|
| WWS | Process wastewater | 103.49 | 4.45 | 103.94 | 1,107.70 | 462,626.00 *gal* |
| TID Lateral 3 | Ground water | 0.00 | 0.00 | 0.00 | 31.59 | 3,645,000.00 *gal* |
| Application event totals | | 103.49 | 4.45 | 103.94 | 1,139.29 | |

| Application date | Application method | Precipitation 24 hours prior | Precipitation during application | Precipitation 24 hours following |
|---|---|---|---|---|
| 08/17/2023 | Surface (irrigation) | No precipitation | No precipitation | No precipitation |

| Source description | Material type | N (lbs/acre) | P (lbs/acre) | K (lbs/acre) | Salt (lbs/acre) | Amount |
|---|---|---|---|---|---|---|
| TID Lateral 3 | Ground water | 0.00 | 0.00 | 0.00 | 28.08 | 3,240,000.00 *gal* |
| Application event totals | | 0.00 | 0.00 | 0.00 | 28.08 | |

| Application date | Application method | Precipitation 24 hours prior | Precipitation during application | Precipitation 24 hours following |
|---|---|---|---|---|
| 08/28/2023 | Surface (irrigation) | No precipitation | No precipitation | No precipitation |

| Source description | Material type | N (lbs/acre) | P (lbs/acre) | K (lbs/acre) | Salt (lbs/acre) | Amount |
|---|---|---|---|---|---|---|
| TID Lateral 3 | Ground water | 0.00 | 0.00 | 0.00 | 28.08 | 3,240,000.00 *gal* |
| Application event totals | | 0.00 | 0.00 | 0.00 | 28.08 | |

## 13 McCoy B - 02/01/2022: Almond Field Run

Field name: 13 McCoy B

Crop: Almond Field Run

Plant date: 02/01/2022

| Application date | Application method | Precipitation 24 hours prior | Precipitation during application | Precipitation 24 hours following |
|---|---|---|---|---|
| 04/01/2023 | Surface (irrigation) | No precipitation | No precipitation | No precipitation |

| Source description | Material type | N (lbs/acre) | P (lbs/acre) | K (lbs/acre) | Salt (lbs/acre) | Amount |
|---|---|---|---|---|---|---|
| TID Lateral 3 | Ground water | 0.00 | 0.00 | 0.00 | 27.44 | 1,461,266.00 *gal* |
| Application event totals | | 0.00 | 0.00 | 0.00 | 27.44 | |

| Application date | Application method | Precipitation 24 hours prior | Precipitation during application | Precipitation 24 hours following |
|---|---|---|---|---|
| 04/21/2023 | Sidedress | No precipitation | No precipitation | No precipitation |

| Source description | Material type | N (lbs/acre) | P (lbs/acre) | K (lbs/acre) | Salt (lbs/acre) | Amount |
|---|---|---|---|---|---|---|
| UN 32 | Solid commercial fertilizer | 24.00 | 0.00 | 0.00 | 0.00 | |
| Application event totals | | 24.00 | 0.00 | 0.00 | 0.00 | |

| Application date | Application method | Precipitation 24 hours prior | Precipitation during application | Precipitation 24 hours following |
|---|---|---|---|---|
| 05/01/2023 | Surface (irrigation) | No precipitation | No precipitation | No precipitation |

| Source description | Material type | N (lbs/acre) | P (lbs/acre) | K (lbs/acre) | Salt (lbs/acre) | Amount |
|---|---|---|---|---|---|---|
| TID Lateral 3 | Ground water | 0.00 | 0.00 | 0.00 | 54.87 | 2,922,532.00 *gal* |
| Application event totals | | 0.00 | 0.00 | 0.00 | 54.87 | |

| Application date | Application method | Precipitation 24 hours prior | Precipitation during application | Precipitation 24 hours following |
|---|---|---|---|---|
| 06/01/2023 | Surface (irrigation) | No precipitation | No precipitation | No precipitation |

| Source description | Material type | N (lbs/acre) | P (lbs/acre) | K (lbs/acre) | Salt (lbs/acre) | Amount |
|---|---|---|---|---|---|---|
| TID Lateral 3 | Ground water | 0.00 | 0.00 | 0.00 | 54.87 | 2,922,532.00 *gal* |
| Application event totals | | 0.00 | 0.00 | 0.00 | 54.87 | |

| Application date | Application method | Precipitation 24 hours prior | Precipitation during application | Precipitation 24 hours following |
|---|---|---|---|---|
| 07/01/2023 | Surface (irrigation) | No precipitation | No precipitation | No precipitation |

| Source description | Material type | N (lbs/acre) | P (lbs/acre) | K (lbs/acre) | Salt (lbs/acre) | Amount |
|---|---|---|---|---|---|---|
| TID Lateral 3 | Ground water | 0.00 | 0.00 | 0.00 | 54.87 | 2,922,532.00 *gal* |
| Application event totals | | 0.00 | 0.00 | 0.00 | 54.87 | |

| Application date | Application method | Precipitation 24 hours prior | Precipitation during application | Precipitation 24 hours following |
|---|---|---|---|---|
| 08/01/2023 | Surface (irrigation) | No precipitation | No precipitation | No precipitation |

| Source description | Material type | N (lbs/acre) | P (lbs/acre) | K (lbs/acre) | Salt (lbs/acre) | Amount |
|---|---|---|---|---|---|---|
| TID Lateral 3 | Ground water | 0.00 | 0.00 | 0.00 | 54.87 | 2,922,532.00 *gal* |
| Application event totals | | 0.00 | 0.00 | 0.00 | 54.87 | |

## 13 McCoy B - 02/01/2022: Almond Field Run

| Application date | Application method | Precipitation 24 hours prior | Precipitation during application | Precipitation 24 hours following |
|---|---|---|---|---|
| 09/01/2023 | Surface (irrigation) | No precipitation | No precipitation | No precipitation |

| Source description | Material type | N (lbs/acre) | P (lbs/acre) | K (lbs/acre) | Salt (lbs/acre) | Amount |
|---|---|---|---|---|---|---|
| TID Lateral 3 | Ground water | 0.00 | 0.00 | 0.00 | 54.87 | 2,922,532.00 *gal* |
| Application event totals | | 0.00 | 0.00 | 0.00 | 54.87 | |

## 14 Drake - 10/29/2022: Oats, silage-soft dough

Field name: 14 Drake

Crop: Oats, silage-soft dough

Plant date: 10/29/2022

| Application date | Application method | Precipitation 24 hours prior | Precipitation during application | Precipitation 24 hours following |
|---|---|---|---|---|
| 10/10/2022 | Surface (irrigation) | No precipitation | No precipitation | No precipitation |

| Source description | Material type | N (lbs/acre) | P (lbs/acre) | K (lbs/acre) | Salt (lbs/acre) | Amount |
|---|---|---|---|---|---|---|
| WWS | Process wastewater | 56.95 | 7.27 | 51.83 | 687.23 | 864,466.00 *gal* |
| TID Lateral 3 | Ground water | 0.00 | 0.00 | 0.00 | 0.00 | 6,075,000.00 *gal* |
| Application event totals | | 56.95 | 7.27 | 51.83 | 687.23 | |

| | | | | |
|---|---|---|---|---|
| 02/18/2023 | Surface (irrigation) | No precipitation | No precipitation | No precipitation |

| Source description | Material type | N (lbs/acre) | P (lbs/acre) | K (lbs/acre) | Salt (lbs/acre) | Amount |
|---|---|---|---|---|---|---|
| WWS | Process wastewater | 67.46 | 6.36 | 116.39 | 672.14 | 562,626.00 *gal* |
| IW- Harolds Field | Ground water | 0.00 | 0.00 | 0.00 | 145.15 | 1,944,000.00 *gal* |
| Application event totals | | 67.46 | 6.36 | 116.39 | 817.29 | |

| | | | | |
|---|---|---|---|---|
| 04/04/2023 | Surface (irrigation) | No precipitation | No precipitation | No precipitation |

| Source description | Material type | N (lbs/acre) | P (lbs/acre) | K (lbs/acre) | Salt (lbs/acre) | Amount |
|---|---|---|---|---|---|---|
| WWS | Process wastewater | 97.88 | 9.23 | 168.87 | 975.19 | 816,296.00 *gal* |
| TID Lateral 3 | Ground water | 0.00 | 0.00 | 0.00 | 33.62 | 5,670,000.00 *gal* |
| Application event totals | | 97.88 | 9.23 | 168.87 | 1,008.81 | |

## 14 Drake - 05/31/2023: Corn, silage

## 14 Drake - 05/31/2023: Corn, silage

Field name: 14 Drake

Crop: Corn, silage

Plant date: 05/31/2023

| Application date | Application method | Precipitation 24 hours prior | Precipitation during application | Precipitation 24 hours following |
|---|---|---|---|---|
| 05/21/2023 | Surface (irrigation) | No precipitation | No precipitation | No precipitation |

| Source description | Material type | N (lbs/acre) | P (lbs/acre) | K (lbs/acre) | Salt (lbs/acre) | Amount |
|---|---|---|---|---|---|---|
| WWS | Process wastewater | 203.72 | 5.69 | 159.96 | 621.73 | 687,162.00 *gal* |
| TID Lateral 3 | Ground water | 0.00 | 0.00 | 0.00 | 38.42 | 6,480,000.00 *gal* |
| Application event totals | | 203.72 | 5.69 | 159.96 | 660.15 | |

| | | | | |
|---|---|---|---|---|
| 07/01/2023 | Surface (irrigation) | No precipitation | No precipitation | No precipitation |

| Source description | Material type | N (lbs/acre) | P (lbs/acre) | K (lbs/acre) | Salt (lbs/acre) | Amount |
|---|---|---|---|---|---|---|
| TID Lateral 3 | Ground water | 0.00 | 0.00 | 0.00 | 36.02 | 6,075,000.00 *gal* |
| Application event totals | | 0.00 | 0.00 | 0.00 | 36.02 | |

| | | | | |
|---|---|---|---|---|
| 07/12/2023 | Surface (irrigation) | No precipitation | No precipitation | No precipitation |

| Source description | Material type | N (lbs/acre) | P (lbs/acre) | K (lbs/acre) | Salt (lbs/acre) | Amount |
|---|---|---|---|---|---|---|
| TID Lateral 3 | Ground water | 0.00 | 0.00 | 0.00 | 33.62 | 5,670,000.00 *gal* |
| Application event totals | | 0.00 | 0.00 | 0.00 | 33.62 | |

| | | | | |
|---|---|---|---|---|
| 07/23/2023 | Surface (irrigation) | No precipitation | No precipitation | No precipitation |

| Source description | Material type | N (lbs/acre) | P (lbs/acre) | K (lbs/acre) | Salt (lbs/acre) | Amount |
|---|---|---|---|---|---|---|
| TID Lateral 3 | Ground water | 0.00 | 0.00 | 0.00 | 31.22 | 5,265,000.00 *gal* |
| Application event totals | | 0.00 | 0.00 | 0.00 | 31.22 | |

| | | | | |
|---|---|---|---|---|
| 08/03/2023 | Surface (irrigation) | No precipitation | No precipitation | No precipitation |

| Source description | Material type | N (lbs/acre) | P (lbs/acre) | K (lbs/acre) | Salt (lbs/acre) | Amount |
|---|---|---|---|---|---|---|
| WWS | Process wastewater | 89.43 | 3.85 | 89.82 | 957.17 | 584,263.00 *gal* |
| TID Lateral 3 | Ground water | 0.00 | 0.00 | 0.00 | 28.82 | 4,860,000.00 *gal* |
| Application event totals | | 89.43 | 3.85 | 89.82 | 985.99 | |

## 14 Drake - 05/31/2023: Corn, silage

| Application date | Application method | Precipitation 24 hours prior | Precipitation during application | Precipitation 24 hours following |
|---|---|---|---|---|
| 08/14/2023 | Surface (irrigation) | No precipitation | No precipitation | No precipitation |

| Source description | Material type | N (lbs/acre) | P (lbs/acre) | K (lbs/acre) | Salt (lbs/acre) | Amount |
|---|---|---|---|---|---|---|
| TID Lateral 3 | Ground water | 0.00 | 0.00 | 0.00 | 28.82 | 4,860,000.00 *gal* |
| Application event totals | | 0.00 | 0.00 | 0.00 | 28.82 | |

| Application date | Application method | Precipitation 24 hours prior | Precipitation during application | Precipitation 24 hours following |
|---|---|---|---|---|
| 08/25/2023 | Surface (irrigation) | No precipitation | No precipitation | No precipitation |

| Source description | Material type | N (lbs/acre) | P (lbs/acre) | K (lbs/acre) | Salt (lbs/acre) | Amount |
|---|---|---|---|---|---|---|
| TID Lateral 3 | Ground water | 0.00 | 0.00 | 0.00 | 28.82 | 4,860,000.00 *gal* |
| Application event totals | | 0.00 | 0.00 | 0.00 | 28.82 | |

## 15 Webster West - 01/26/2019: Almond Field Run

Field name: 15 Webster West

Crop: Almond Field Run

Plant date: 01/26/2019

| Application date | Application method | Precipitation 24 hours prior | Precipitation during application | Precipitation 24 hours following |
|---|---|---|---|---|
| 11/22/2022 | Broadcast/incorporate | No precipitation | No precipitation | No precipitation |

| Source description | Material type | N (lbs/acre) | P (lbs/acre) | K (lbs/acre) | Salt (lbs/acre) | Amount |
|---|---|---|---|---|---|---|
| Compost | Compost | 67.82 | 24.00 | 132.82 | 1,077.78 | 85.00 *ton* |
| Application event totals | | 67.82 | 24.00 | 132.82 | 1,077.78 | |

| Application date | Application method | Precipitation 24 hours prior | Precipitation during application | Precipitation 24 hours following |
|---|---|---|---|---|
| 04/01/2023 | Surface (irrigation) | No precipitation | No precipitation | No precipitation |

| Source description | Material type | N (lbs/acre) | P (lbs/acre) | K (lbs/acre) | Salt (lbs/acre) | Amount |
|---|---|---|---|---|---|---|
| TID Lateral 3 | Ground water | 0.00 | 0.00 | 0.00 | 24.10 | 5,026,963.00 *gal* |
| Application event totals | | 0.00 | 0.00 | 0.00 | 24.10 | |

| Application date | Application method | Precipitation 24 hours prior | Precipitation during application | Precipitation 24 hours following |
|---|---|---|---|---|
| 04/21/2023 | Sidedress | No precipitation | No precipitation | No precipitation |

| Source description | Material type | N (lbs/acre) | P (lbs/acre) | K (lbs/acre) | Salt (lbs/acre) | Amount |
|---|---|---|---|---|---|---|
| WWS | Solid commercial fertilizer | 36.80 | 0.00 | 0.00 | 0.00 | |
| Application event totals | | 36.80 | 0.00 | 0.00 | 0.00 | |

## 15 Webster West - 01/26/2019: Almond Field Run

| Application date | Application method | Precipitation 24 hours prior | Precipitation during application | Precipitation 24 hours following |
|---|---|---|---|---|
| 05/01/2023 | Surface (irrigation) | No precipitation | No precipitation | No precipitation |

| Source description | Material type | N (lbs/acre) | P (lbs/acre) | K (lbs/acre) | Salt (lbs/acre) | Amount |
|---|---|---|---|---|---|---|
| TID Lateral 3 | Ground water | 0.00 | 0.00 | 0.00 | 48.20 | 10,053,926.00 *gal* |
| Application event totals | | 0.00 | 0.00 | 0.00 | 48.20 | |

| Application date | Application method | Precipitation 24 hours prior | Precipitation during application | Precipitation 24 hours following |
|---|---|---|---|---|
| 06/01/2023 | Surface (irrigation) | No precipitation | No precipitation | No precipitation |

| Source description | Material type | N (lbs/acre) | P (lbs/acre) | K (lbs/acre) | Salt (lbs/acre) | Amount |
|---|---|---|---|---|---|---|
| TID Lateral 3 | Ground water | 0.00 | 0.00 | 0.00 | 48.20 | 10,053,926.00 *gal* |
| Application event totals | | 0.00 | 0.00 | 0.00 | 48.20 | |

| Application date | Application method | Precipitation 24 hours prior | Precipitation during application | Precipitation 24 hours following |
|---|---|---|---|---|
| 07/01/2023 | Surface (irrigation) | No precipitation | No precipitation | No precipitation |

| Source description | Material type | N (lbs/acre) | P (lbs/acre) | K (lbs/acre) | Salt (lbs/acre) | Amount |
|---|---|---|---|---|---|---|
| TID Lateral 3 | Ground water | 0.00 | 0.00 | 0.00 | 48.20 | 10,053,926.00 *gal* |
| Application event totals | | 0.00 | 0.00 | 0.00 | 48.20 | |

| Application date | Application method | Precipitation 24 hours prior | Precipitation during application | Precipitation 24 hours following |
|---|---|---|---|---|
| 08/01/2023 | Surface (irrigation) | No precipitation | No precipitation | No precipitation |

| Source description | Material type | N (lbs/acre) | P (lbs/acre) | K (lbs/acre) | Salt (lbs/acre) | Amount |
|---|---|---|---|---|---|---|
| TID Lateral 3 | Ground water | 0.00 | 0.00 | 0.00 | 48.20 | 10,053,826.00 *gal* |
| Application event totals | | 0.00 | 0.00 | 0.00 | 48.20 | |

| Application date | Application method | Precipitation 24 hours prior | Precipitation during application | Precipitation 24 hours following |
|---|---|---|---|---|
| 09/01/2023 | Surface (irrigation) | No precipitation | No precipitation | No precipitation |

| Source description | Material type | N (lbs/acre) | P (lbs/acre) | K (lbs/acre) | Salt (lbs/acre) | Amount |
|---|---|---|---|---|---|---|
| TID Lateral 3 | Ground water | 0.00 | 0.00 | 0.00 | 24.10 | 5,026,963.00 *gal* |
| Application event totals | | 0.00 | 0.00 | 0.00 | 24.10 | |

## 16 Webster East - 02/01/1995: Almond Field Run

Field name: 16 Webster East

Crop: Almond Field Run

Plant date: 02/01/1995

| Application date | Application method | Precipitation 24 hours prior | Precipitation during application | Precipitation 24 hours following |
|---|---|---|---|---|

## 16 Webster East - 02/01/1995: Almond Field Run

| Application date | Application method | Precipitation 24 hours prior | Precipitation during application | Precipitation 24 hours following |
|---|---|---|---|---|
| 10/22/2022 | Surface (irrigation) | No precipitation | No precipitation | No precipitation |

| Source description | Material type | N (lbs/acre) | P (lbs/acre) | K (lbs/acre) | Salt (lbs/acre) | Amount |
|---|---|---|---|---|---|---|
| WWS | Process wastewater | 59.77 | 7.63 | 54.39 | 721.22 | 1,026,593.00 *gal* |
| TID Lateral 3 | Ground water | 0.00 | 0.00 | 0.00 | 0.00 | 6,480,000.00 *gal* |
| Application event totals | | 59.77 | 7.63 | 54.39 | 721.22 | |

| Application date | Application method | Precipitation 24 hours prior | Precipitation during application | Precipitation 24 hours following |
|---|---|---|---|---|
| 04/20/2023 | Surface (irrigation) | No precipitation | No precipitation | No precipitation |

| Source description | Material type | N (lbs/acre) | P (lbs/acre) | K (lbs/acre) | Salt (lbs/acre) | Amount |
|---|---|---|---|---|---|---|
| TID Lateral 3 | Ground water | 0.00 | 0.00 | 0.00 | 33.95 | 6,480,000.00 *gal* |
| Application event totals | | 0.00 | 0.00 | 0.00 | 33.95 | |

| Application date | Application method | Precipitation 24 hours prior | Precipitation during application | Precipitation 24 hours following |
|---|---|---|---|---|
| 04/20/2023 | Surface (irrigation) | No precipitation | No precipitation | No precipitation |

| Source description | Material type | N (lbs/acre) | P (lbs/acre) | K (lbs/acre) | Salt (lbs/acre) | Amount |
|---|---|---|---|---|---|---|
| UN 32 | Solid commercial fertilizer | 36.80 | 0.00 | 0.00 | 0.00 | |
| Application event totals | | 36.80 | 0.00 | 0.00 | 0.00 | |

| Application date | Application method | Precipitation 24 hours prior | Precipitation during application | Precipitation 24 hours following |
|---|---|---|---|---|
| 05/11/2023 | Surface (irrigation) | No precipitation | No precipitation | No precipitation |

| Source description | Material type | N (lbs/acre) | P (lbs/acre) | K (lbs/acre) | Salt (lbs/acre) | Amount |
|---|---|---|---|---|---|---|
| TID Lateral 3 | Ground water | 0.00 | 0.00 | 0.00 | 31.83 | 6,075,000.00 *gal* |
| Application event totals | | 0.00 | 0.00 | 0.00 | 31.83 | |

| Application date | Application method | Precipitation 24 hours prior | Precipitation during application | Precipitation 24 hours following |
|---|---|---|---|---|
| 06/01/2023 | Surface (irrigation) | No precipitation | No precipitation | No precipitation |

| Source description | Material type | N (lbs/acre) | P (lbs/acre) | K (lbs/acre) | Salt (lbs/acre) | Amount |
|---|---|---|---|---|---|---|
| TID Lateral 3 | Ground water | 0.00 | 0.00 | 0.00 | 31.83 | 6,075,000.00 *gal* |
| Application event totals | | 0.00 | 0.00 | 0.00 | 31.83 | |

| Application date | Application method | Precipitation 24 hours prior | Precipitation during application | Precipitation 24 hours following |
|---|---|---|---|---|
| 06/23/2023 | Surface (irrigation) | No precipitation | No precipitation | No precipitation |

| Source description | Material type | N (lbs/acre) | P (lbs/acre) | K (lbs/acre) | Salt (lbs/acre) | Amount |
|---|---|---|---|---|---|---|
| TID Lateral 3 | Ground water | 0.00 | 0.00 | 0.00 | 29.71 | 5,670,000.00 *gal* |
| Application event totals | | 0.00 | 0.00 | 0.00 | 29.71 | |

## 16 Webster East - 02/01/1995: Almond Field Run

| Application date | Application method | Precipitation 24 hours prior | Precipitation during application | Precipitation 24 hours following |
|---|---|---|---|---|
| 07/14/2023 | Surface (irrigation) | No precipitation | No precipitation | No precipitation |

| Source description | Material type | N (lbs/acre) | P (lbs/acre) | K (lbs/acre) | Salt (lbs/acre) | Amount |
|---|---|---|---|---|---|---|
| TID Lateral 3 | Ground water | 0.00 | 0.00 | 0.00 | 25.47 | 4,860,000.00 *gal* |
| Application event totals | | 0.00 | 0.00 | 0.00 | 25.47 | |

| Application date | Application method | Precipitation 24 hours prior | Precipitation during application | Precipitation 24 hours following |
|---|---|---|---|---|
| 08/04/2023 | Surface (irrigation) | No precipitation | No precipitation | No precipitation |

| Source description | Material type | N (lbs/acre) | P (lbs/acre) | K (lbs/acre) | Salt (lbs/acre) | Amount |
|---|---|---|---|---|---|---|
| TID Lateral 3 | Ground water | 0.00 | 0.00 | 0.00 | 25.47 | 4,860,000.00 *gal* |
| Application event totals | | 0.00 | 0.00 | 0.00 | 25.47 | |

| Application date | Application method | Precipitation 24 hours prior | Precipitation during application | Precipitation 24 hours following |
|---|---|---|---|---|
| 08/25/2023 | Surface (irrigation) | No precipitation | No precipitation | No precipitation |

| Source description | Material type | N (lbs/acre) | P (lbs/acre) | K (lbs/acre) | Salt (lbs/acre) | Amount |
|---|---|---|---|---|---|---|
| TID Ceres Main | Ground water | 0.00 | 0.00 | 0.00 | 11.32 | 4,860,000.00 *gal* |
| Application event totals | | 0.00 | 0.00 | 0.00 | 11.32 | |

## 17 Sodar-Rock - 11/04/2022: Oats, silage-soft dough

Field name: 17 Sodar-Rock

Crop: Oats, silage-soft dough

Plant date: 11/04/2022

| Application date | Application method | Precipitation 24 hours prior | Precipitation during application | Precipitation 24 hours following |
|---|---|---|---|---|
| 10/16/2022 | Surface (irrigation) | No precipitation | No precipitation | No precipitation |

| Source description | Material type | N (lbs/acre) | P (lbs/acre) | K (lbs/acre) | Salt (lbs/acre) | Amount |
|---|---|---|---|---|---|---|
| WWS | Process wastewater | 66.52 | 8.49 | 60.53 | 802.69 | 956,569.00 *gal* |
| TID Lateral 3 | Ground water | 0.00 | 0.00 | 0.00 | 0.00 | 6,075,000.00 *gal* |
| Application event totals | | 66.52 | 8.49 | 60.53 | 802.69 | |

## 17 Sodar-Rock - 11/04/2022: Oats, silage-soft dough

| Application date | Application method | Precipitation 24 hours prior | Precipitation during application | Precipitation 24 hours following |
|---|---|---|---|---|
| 04/11/2023 | Surface (irrigation) | No precipitation | No precipitation | No precipitation |

| Source description | Material type | N (lbs/acre) | P (lbs/acre) | K (lbs/acre) | Salt (lbs/acre) | Amount |
|---|---|---|---|---|---|---|
| WWS | Process wastewater | 115.47 | 10.89 | 199.23 | 1,150.51 | 912,366.00 *gal* |
| TID Lateral 3 | Ground water | 0.00 | 0.00 | 0.00 | 35.49 | 5,670,000.00 *gal* |
| Application event totals | | 115.47 | 10.89 | 199.23 | 1,186.00 | |

## 17 Sodar-Rock - 05/30/2023: Corn, silage

Field name: 17 Sodar-Rock

Crop: Corn, silage

Plant date: 05/30/2023

| Application date | Application method | Precipitation 24 hours prior | Precipitation during application | Precipitation 24 hours following |
|---|---|---|---|---|
| 05/18/2023 | Surface (irrigation) | No precipitation | No precipitation | No precipitation |

| Source description | Material type | N (lbs/acre) | P (lbs/acre) | K (lbs/acre) | Salt (lbs/acre) | Amount |
|---|---|---|---|---|---|---|
| WWS | Process wastewater | 235.10 | 6.57 | 184.59 | 717.48 | 751,256.00 *gal* |
| TID Lateral 3 | Ground water | 0.00 | 0.00 | 0.00 | 38.02 | 6,075,000.00 *gal* |
| Application event totals | | 235.10 | 6.57 | 184.59 | 755.50 | |

| Application date | Application method | Precipitation 24 hours prior | Precipitation during application | Precipitation 24 hours following |
|---|---|---|---|---|
| 06/28/2023 | Surface (irrigation) | No precipitation | No precipitation | No precipitation |

| Source description | Material type | N (lbs/acre) | P (lbs/acre) | K (lbs/acre) | Salt (lbs/acre) | Amount |
|---|---|---|---|---|---|---|
| TID Lateral 3 | Ground water | 0.00 | 0.00 | 0.00 | 35.49 | 5,670,000.00 *gal* |
| Application event totals | | 0.00 | 0.00 | 0.00 | 35.49 | |

| Application date | Application method | Precipitation 24 hours prior | Precipitation during application | Precipitation 24 hours following |
|---|---|---|---|---|
| 07/09/2023 | Surface (irrigation) | No precipitation | No precipitation | No precipitation |

| Source description | Material type | N (lbs/acre) | P (lbs/acre) | K (lbs/acre) | Salt (lbs/acre) | Amount |
|---|---|---|---|---|---|---|
| WWS | Process wastewater | 116.74 | 5.02 | 117.24 | 1,249.48 | 722,549.00 *gal* |
| TID Lateral 3 | Ground water | 0.00 | 0.00 | 0.00 | 32.95 | 5,265,000.00 *gal* |
| Application event totals | | 116.74 | 5.02 | 117.24 | 1,282.43 | |

## 17 Sodar-Rock - 05/30/2023: Corn, silage

| Application date | Application method | Precipitation 24 hours prior | Precipitation during application | Precipitation 24 hours following |
|---|---|---|---|---|
| 07/20/2023 | Surface (irrigation) | No precipitation | No precipitation | No precipitation |

| Source description | Material type | N (lbs/acre) | P (lbs/acre) | K (lbs/acre) | Salt (lbs/acre) | Amount |
|---|---|---|---|---|---|---|
| TID Lateral 3 | Ground water | 0.00 | 0.00 | 0.00 | 30.42 | 4,860,000.00 *gal* |
| Application event totals | | 0.00 | 0.00 | 0.00 | 30.42 | |

| Application date | Application method | Precipitation 24 hours prior | Precipitation during application | Precipitation 24 hours following |
|---|---|---|---|---|
| 07/31/2023 | Surface (irrigation) | No precipitation | No precipitation | No precipitation |

| Source description | Material type | N (lbs/acre) | P (lbs/acre) | K (lbs/acre) | Salt (lbs/acre) | Amount |
|---|---|---|---|---|---|---|
| TID Lateral 3 | Ground water | 0.00 | 0.00 | 0.00 | 30.42 | 4,860,000.00 *gal* |
| Application event totals | | 0.00 | 0.00 | 0.00 | 30.42 | |

| Application date | Application method | Precipitation 24 hours prior | Precipitation during application | Precipitation 24 hours following |
|---|---|---|---|---|
| 08/11/2023 | Surface (irrigation) | No precipitation | No precipitation | No precipitation |

| Source description | Material type | N (lbs/acre) | P (lbs/acre) | K (lbs/acre) | Salt (lbs/acre) | Amount |
|---|---|---|---|---|---|---|
| TID Lateral 3 | Ground water | 0.00 | 0.00 | 0.00 | 30.42 | 4,860,000.00 *gal* |
| Application event totals | | 0.00 | 0.00 | 0.00 | 30.42 | |

| Application date | Application method | Precipitation 24 hours prior | Precipitation during application | Precipitation 24 hours following |
|---|---|---|---|---|
| 08/22/2023 | Surface (irrigation) | No precipitation | No precipitation | No precipitation |

| Source description | Material type | N (lbs/acre) | P (lbs/acre) | K (lbs/acre) | Salt (lbs/acre) | Amount |
|---|---|---|---|---|---|---|
| TID Lateral 3 | Ground water | 0.00 | 0.00 | 0.00 | 30.42 | 4,860,000.00 *gal* |
| Application event totals | | 0.00 | 0.00 | 0.00 | 30.42 | |

## 19 ET Vincent - 11/12/2022: Oats, silage-soft dough

Field name: 19 ET Vincent

Crop: Oats, silage-soft dough

Plant date: 11/12/2022

| Application date | Application method | Precipitation 24 hours prior | Precipitation during application | Precipitation 24 hours following |
|---|---|---|---|---|
| 10/28/2022 | Surface (irrigation) | No precipitation | No precipitation | No precipitation |

| Source description | Material type | N (lbs/acre) | P (lbs/acre) | K (lbs/acre) | Salt (lbs/acre) | Amount |
|---|---|---|---|---|---|---|
| WWS | Process wastewater sludge | 139.13 | 15.82 | 127.24 | 404.32 | 1,040,250.00 *gal* |
| Application event totals | | 139.13 | 15.82 | 127.24 | 404.32 | |

## 19 ET Vincent - 11/12/2022: Oats, silage-soft dough

| Application date | Application method | Precipitation 24 hours prior | Precipitation during application | Precipitation 24 hours following |
|---|---|---|---|---|
| 10/30/2022 | Surface (irrigation) | No precipitation | No precipitation | No precipitation |

| Source description | Material type | N (lbs/acre) | P (lbs/acre) | K (lbs/acre) | Salt (lbs/acre) | Amount |
|---|---|---|---|---|---|---|
| TID Lateral 3 | Ground water | 0.00 | 0.00 | 0.00 | 0.00 | 12,150,000.00 *gal* |
| Application event totals | | 0.00 | 0.00 | 0.00 | 0.00 | |

| Application date | Application method | Precipitation 24 hours prior | Precipitation during application | Precipitation 24 hours following |
|---|---|---|---|---|
| 04/12/2023 | Surface (irrigation) | No precipitation | No precipitation | No precipitation |

| Source description | Material type | N (lbs/acre) | P (lbs/acre) | K (lbs/acre) | Salt (lbs/acre) | Amount |
|---|---|---|---|---|---|---|
| WWS | Process wastewater | 66.30 | 6.25 | 114.39 | 660.59 | 1,062,256.00 *gal* |
| TID Lateral 3 | Ground water | 0.00 | 0.00 | 0.00 | 35.00 | 11,340,000.00 *gal* |
| Application event totals | | 66.30 | 6.25 | 114.39 | 695.59 | |

## 19 ET Vincent - 05/30/2023: Corn, silage

Field name: 19 ET Vincent

Crop: Corn, silage

Plant date: 05/30/2023

| Application date | Application method | Precipitation 24 hours prior | Precipitation during application | Precipitation 24 hours following |
|---|---|---|---|---|
| 05/18/2023 | Surface (irrigation) | No precipitation | No precipitation | No precipitation |

| Source description | Material type | N (lbs/acre) | P (lbs/acre) | K (lbs/acre) | Salt (lbs/acre) | Amount |
|---|---|---|---|---|---|---|
| WWS | Process wastewater | 225.73 | 6.30 | 177.24 | 688.88 | 1,462,663.00 *gal* |
| TID Lateral 3 | Ground water | 0.00 | 0.00 | 0.00 | 37.50 | 12,150,000.00 *gal* |
| Application event totals | | 225.73 | 6.30 | 177.24 | 726.38 | |

| Application date | Application method | Precipitation 24 hours prior | Precipitation during application | Precipitation 24 hours following |
|---|---|---|---|---|
| 06/28/2023 | Surface (irrigation) | No precipitation | No precipitation | No precipitation |

| Source description | Material type | N (lbs/acre) | P (lbs/acre) | K (lbs/acre) | Salt (lbs/acre) | Amount |
|---|---|---|---|---|---|---|
| TID Lateral 3 | Ground water | 0.00 | 0.00 | 0.00 | 35.00 | 11,340,000.00 *gal* |
| Application event totals | | 0.00 | 0.00 | 0.00 | 35.00 | |

## 19 ET Vincent - 05/30/2023: Corn, silage

| Application date | Application method | Precipitation 24 hours prior | Precipitation during application | Precipitation 24 hours following |
|---|---|---|---|---|
| 07/09/2023 | Surface (irrigation) | No precipitation | No precipitation | No precipitation |

| Source description | Material type | N (lbs/acre) | P (lbs/acre) | K (lbs/acre) | Salt (lbs/acre) | Amount |
|---|---|---|---|---|---|---|
| WWS | Process wastewater | 99.25 | 4.27 | 99.68 | 1,062.26 | 1,245,626.00 *gal* |
| TID Lateral 3 | Ground water | 0.00 | 0.00 | 0.00 | 32.50 | 10,530,000.00 *gal* |
| Application event totals | | 99.25 | 4.27 | 99.68 | 1,094.76 | |

| Application date | Application method | Precipitation 24 hours prior | Precipitation during application | Precipitation 24 hours following |
|---|---|---|---|---|
| 07/30/2023 | Surface (irrigation) | No precipitation | No precipitation | No precipitation |

| Source description | Material type | N (lbs/acre) | P (lbs/acre) | K (lbs/acre) | Salt (lbs/acre) | Amount |
|---|---|---|---|---|---|---|
| TID Lateral 3 | Ground water | 0.00 | 0.00 | 0.00 | 30.00 | 9,720,000.00 *gal* |
| Application event totals | | 0.00 | 0.00 | 0.00 | 30.00 | |

| Application date | Application method | Precipitation 24 hours prior | Precipitation during application | Precipitation 24 hours following |
|---|---|---|---|---|
| 07/31/2023 | Surface (irrigation) | No precipitation | No precipitation | No precipitation |

| Source description | Material type | N (lbs/acre) | P (lbs/acre) | K (lbs/acre) | Salt (lbs/acre) | Amount |
|---|---|---|---|---|---|---|
| TID Lateral 3 | Ground water | 0.00 | 0.00 | 0.00 | 31.25 | 10,125,000.00 *gal* |
| Application event totals | | 0.00 | 0.00 | 0.00 | 31.25 | |

| Application date | Application method | Precipitation 24 hours prior | Precipitation during application | Precipitation 24 hours following |
|---|---|---|---|---|
| 08/11/2023 | Surface (irrigation) | No precipitation | No precipitation | No precipitation |

| Source description | Material type | N (lbs/acre) | P (lbs/acre) | K (lbs/acre) | Salt (lbs/acre) | Amount |
|---|---|---|---|---|---|---|
| TID Lateral 3 | Ground water | 0.00 | 0.00 | 0.00 | 30.00 | 9,720,000.00 *gal* |
| Application event totals | | 0.00 | 0.00 | 0.00 | 30.00 | |

| Application date | Application method | Precipitation 24 hours prior | Precipitation during application | Precipitation 24 hours following |
|---|---|---|---|---|
| 08/22/2023 | Surface (irrigation) | No precipitation | No precipitation | No precipitation |

| Source description | Material type | N (lbs/acre) | P (lbs/acre) | K (lbs/acre) | Salt (lbs/acre) | Amount |
|---|---|---|---|---|---|---|
| TID Lateral 3 | Ground water | 0.00 | 0.00 | 0.00 | 30.00 | 9,720,000.00 *gal* |
| Application event totals | | 0.00 | 0.00 | 0.00 | 30.00 | |

## 2 Berryhill East - 02/01/2013: Almond Field Run

Field name: 2 Berryhill East

Crop: Almond Field Run

Plant date: 02/01/2013

| Application date | Application method | Precipitation 24 hours prior | Precipitation during application | Precipitation 24 hours following |
|---|---|---|---|---|

## 2 Berryhill East - 02/01/2013: Almond Field Run

| Application date | Application method | Precipitation 24 hours prior | Precipitation during application | Precipitation 24 hours following |
|---|---|---|---|---|
| 11/22/2022 | Broadcast/incorporate | No precipitation | No precipitation | No precipitation |

| Source description | Material type | N (lbs/acre) | P (lbs/acre) | K (lbs/acre) | Salt (lbs/acre) | Amount |
|---|---|---|---|---|---|---|
| Compost | Compost | 72.92 | 25.81 | 142.81 | 1,158.79 | 35.00 *ton* |
| Application event totals | | 72.92 | 25.81 | 142.81 | 1,158.79 | |

| Application date | Application method | Precipitation 24 hours prior | Precipitation during application | Precipitation 24 hours following |
|---|---|---|---|---|
| 04/01/2023 | Surface (irrigation) | No precipitation | No precipitation | No precipitation |

| Source description | Material type | N (lbs/acre) | P (lbs/acre) | K (lbs/acre) | Salt (lbs/acre) | Amount |
|---|---|---|---|---|---|---|
| TID Lateral 3 | Ground water | 0.00 | 0.00 | 0.00 | 23.73 | 1,895,662.00 *gal* |
| Application event totals | | 0.00 | 0.00 | 0.00 | 23.73 | |

| Application date | Application method | Precipitation 24 hours prior | Precipitation during application | Precipitation 24 hours following |
|---|---|---|---|---|
| 04/17/2023 | Sidedress | No precipitation | No precipitation | No precipitation |

| Source description | Material type | N (lbs/acre) | P (lbs/acre) | K (lbs/acre) | Salt (lbs/acre) | Amount |
|---|---|---|---|---|---|---|
| UN 32 | Solid commercial fertilizer | 36.80 | 0.00 | 0.00 | 0.00 | |
| Application event totals | | 36.80 | 0.00 | 0.00 | 0.00 | |

| Application date | Application method | Precipitation 24 hours prior | Precipitation during application | Precipitation 24 hours following |
|---|---|---|---|---|
| 05/01/2023 | Surface (irrigation) | No precipitation | No precipitation | No precipitation |

| Source description | Material type | N (lbs/acre) | P (lbs/acre) | K (lbs/acre) | Salt (lbs/acre) | Amount |
|---|---|---|---|---|---|---|
| TID Lateral 3 | Ground water | 0.00 | 0.00 | 0.00 | 47.46 | 3,791,324.00 *gal* |
| Application event totals | | 0.00 | 0.00 | 0.00 | 47.46 | |

| Application date | Application method | Precipitation 24 hours prior | Precipitation during application | Precipitation 24 hours following |
|---|---|---|---|---|
| 06/01/2023 | Surface (irrigation) | No precipitation | No precipitation | No precipitation |

| Source description | Material type | N (lbs/acre) | P (lbs/acre) | K (lbs/acre) | Salt (lbs/acre) | Amount |
|---|---|---|---|---|---|---|
| TID Lateral 3 | Ground water | 0.00 | 0.00 | 0.00 | 47.46 | 3,791,324.00 *gal* |
| Application event totals | | 0.00 | 0.00 | 0.00 | 47.46 | |

| Application date | Application method | Precipitation 24 hours prior | Precipitation during application | Precipitation 24 hours following |
|---|---|---|---|---|
| 07/01/2023 | Surface (irrigation) | No precipitation | No precipitation | No precipitation |

| Source description | Material type | N (lbs/acre) | P (lbs/acre) | K (lbs/acre) | Salt (lbs/acre) | Amount |
|---|---|---|---|---|---|---|
| TID Lateral 3 | Ground water | 0.00 | 0.00 | 0.00 | 47.46 | 3,791,324.00 *gal* |
| Application event totals | | 0.00 | 0.00 | 0.00 | 47.46 | |

## 2 Berryhill East - 02/01/2013: Almond Field Run

| Application date | Application method | Precipitation 24 hours prior | Precipitation during application | Precipitation 24 hours following |
|---|---|---|---|---|
| 08/01/2023 | Surface (irrigation) | No precipitation | No precipitation | No precipitation |

| Source description | Material type | N (lbs/acre) | P (lbs/acre) | K (lbs/acre) | Salt (lbs/acre) | Amount |
|---|---|---|---|---|---|---|
| TID Lateral 3 | Ground water | 0.00 | 0.00 | 0.00 | 47.46 | 3,791,324.00 *gal* |
| Application event totals | | 0.00 | 0.00 | 0.00 | 47.46 | |

| Application date | Application method | Precipitation 24 hours prior | Precipitation during application | Precipitation 24 hours following |
|---|---|---|---|---|
| 09/01/2023 | Surface (irrigation) | No precipitation | No precipitation | No precipitation |

| Source description | Material type | N (lbs/acre) | P (lbs/acre) | K (lbs/acre) | Salt (lbs/acre) | Amount |
|---|---|---|---|---|---|---|
| TID Lateral 3 | Ground water | 0.00 | 0.00 | 0.00 | 23.73 | 1,895,662.00 *gal* |
| Application event totals | | 0.00 | 0.00 | 0.00 | 23.73 | |

## 20 Vierra - 11/12/2022: Oats, silage-soft dough

Field name: 20 Vierra

Crop: Oats, silage-soft dough

Plant date: 11/12/2022

| Application date | Application method | Precipitation 24 hours prior | Precipitation during application | Precipitation 24 hours following |
|---|---|---|---|---|
| 10/28/2022 | Surface (irrigation) | No precipitation | No precipitation | No precipitation |

| Source description | Material type | N (lbs/acre) | P (lbs/acre) | K (lbs/acre) | Salt (lbs/acre) | Amount |
|---|---|---|---|---|---|---|
| WWS | Process wastewater | 160.54 | 4.48 | 126.05 | 489.93 | 1,054,500.00 *gal* |
| Application event totals | | 160.54 | 4.48 | 126.05 | 489.93 | |

| Application date | Application method | Precipitation 24 hours prior | Precipitation during application | Precipitation 24 hours following |
|---|---|---|---|---|
| 10/31/2022 | Surface (irrigation) | No precipitation | No precipitation | No precipitation |

| Source description | Material type | N (lbs/acre) | P (lbs/acre) | K (lbs/acre) | Salt (lbs/acre) | Amount |
|---|---|---|---|---|---|---|
| TID Lateral 3 | Ground water | 0.00 | 0.00 | 0.00 | 0.00 | 13,365,000.00 *gal* |
| Application event totals | | 0.00 | 0.00 | 0.00 | 0.00 | |

| Application date | Application method | Precipitation 24 hours prior | Precipitation during application | Precipitation 24 hours following |
|---|---|---|---|---|
| 04/13/2023 | Surface (irrigation) | No precipitation | No precipitation | No precipitation |

| Source description | Material type | N (lbs/acre) | P (lbs/acre) | K (lbs/acre) | Salt (lbs/acre) | Amount |
|---|---|---|---|---|---|---|
| WWS | Process wastewater | 89.05 | 8.40 | 153.63 | 887.22 | 1,446,226.00 *gal* |
| TID Lateral 3 | Ground water | 0.00 | 0.00 | 0.00 | 39.46 | 12,960,000.00 *gal* |
| Application event totals | | 89.05 | 8.40 | 153.63 | 926.68 | |

## 20 Vierra - 05/30/2023: Corn, silage

Field name: 20 Vierra

Crop: Corn, silage

Plant date: 05/30/2023

| Application date | Application method | Precipitation 24 hours prior | Precipitation during application | Precipitation 24 hours following |
|---|---|---|---|---|
| 05/19/2023 | Surface (irrigation) | No precipitation | No precipitation | No precipitation |

| Source description | Material type | N (lbs/acre) | P (lbs/acre) | K (lbs/acre) | Salt (lbs/acre) | Amount |
|---|---|---|---|---|---|---|
| WWS | Process wastewater | 217.13 | 6.06 | 170.49 | 662.66 | 1,426,262.00 *gal* |
| TID Lateral 3 | Ground water | 0.00 | 0.00 | 0.00 | 44.39 | 14,580,000.00 *gal* |
| Application event totals | | 217.13 | 6.06 | 170.49 | 707.05 | |

| Application date | Application method | Precipitation 24 hours prior | Precipitation during application | Precipitation 24 hours following |
|---|---|---|---|---|
| 06/29/2023 | Surface (irrigation) | No precipitation | No precipitation | No precipitation |

| Source description | Material type | N (lbs/acre) | P (lbs/acre) | K (lbs/acre) | Salt (lbs/acre) | Amount |
|---|---|---|---|---|---|---|
| TID Lateral 3 | Ground water | 0.00 | 0.00 | 0.00 | 41.93 | 13,770,000.00 *gal* |
| Application event totals | | 0.00 | 0.00 | 0.00 | 41.93 | |

| Application date | Application method | Precipitation 24 hours prior | Precipitation during application | Precipitation 24 hours following |
|---|---|---|---|---|
| 07/10/2023 | Surface (irrigation) | No precipitation | No precipitation | No precipitation |

| Source description | Material type | N (lbs/acre) | P (lbs/acre) | K (lbs/acre) | Salt (lbs/acre) | Amount |
|---|---|---|---|---|---|---|
| WWS | Process wastewater | 99.24 | 4.27 | 99.67 | 1,062.20 | 1,262,626.00 *gal* |
| TID Lateral 3 | Ground water | 0.00 | 0.00 | 0.00 | 39.46 | 12,960,000.00 *gal* |
| Application event totals | | 99.24 | 4.27 | 99.67 | 1,101.67 | |

| Application date | Application method | Precipitation 24 hours prior | Precipitation during application | Precipitation 24 hours following |
|---|---|---|---|---|
| 07/21/2023 | Surface (irrigation) | No precipitation | No precipitation | No precipitation |

| Source description | Material type | N (lbs/acre) | P (lbs/acre) | K (lbs/acre) | Salt (lbs/acre) | Amount |
|---|---|---|---|---|---|---|
| TID Lateral 3 | Ground water | 0.00 | 0.00 | 0.00 | 36.99 | 12,150,000.00 *gal* |
| Application event totals | | 0.00 | 0.00 | 0.00 | 36.99 | |

| Application date | Application method | Precipitation 24 hours prior | Precipitation during application | Precipitation 24 hours following |
|---|---|---|---|---|
| 08/01/2023 | Surface (irrigation) | No precipitation | No precipitation | No precipitation |

| Source description | Material type | N (lbs/acre) | P (lbs/acre) | K (lbs/acre) | Salt (lbs/acre) | Amount |
|---|---|---|---|---|---|---|
| TID Lateral 3 | Ground water | 0.00 | 0.00 | 0.00 | 35.76 | 11,745,000.00 *gal* |
| Application event totals | | 0.00 | 0.00 | 0.00 | 35.76 | |

## 20 Vierra - 05/30/2023: Corn, silage

| Application date | Application method | Precipitation 24 hours prior | Precipitation during application | Precipitation 24 hours following |
|---|---|---|---|---|
| 08/12/2023 | Surface (irrigation) | No precipitation | No precipitation | No precipitation |

| Source description | Material type | N (lbs/acre) | P (lbs/acre) | K (lbs/acre) | Salt (lbs/acre) | Amount |
|---|---|---|---|---|---|---|
| TID Lateral 3 | Ground water | 0.00 | 0.00 | 0.00 | 38.23 | 12,555,000.00 *gal* |
| Application event totals | | 0.00 | 0.00 | 0.00 | 38.23 | |

| Application date | Application method | Precipitation 24 hours prior | Precipitation during application | Precipitation 24 hours following |
|---|---|---|---|---|
| 08/23/2023 | Surface (irrigation) | No precipitation | No precipitation | No precipitation |

| Source description | Material type | N (lbs/acre) | P (lbs/acre) | K (lbs/acre) | Salt (lbs/acre) | Amount |
|---|---|---|---|---|---|---|
| TID Lateral 3 | Ground water | 0.00 | 0.00 | 0.00 | 34.53 | 11,340,000.00 *gal* |
| Application event totals | | 0.00 | 0.00 | 0.00 | 34.53 | |

## 21 Costa - 02/01/1997: Almond Field Run

Field name: 21 Costa

Crop: Almond Field Run

Plant date: 02/01/1997

| Application date | Application method | Precipitation 24 hours prior | Precipitation during application | Precipitation 24 hours following |
|---|---|---|---|---|
| 11/23/2022 | Broadcast/incorporate | No precipitation | No precipitation | No precipitation |

| Source description | Material type | N (lbs/acre) | P (lbs/acre) | K (lbs/acre) | Salt (lbs/acre) | Amount |
|---|---|---|---|---|---|---|
| Compost | Compost | 72.11 | 25.52 | 141.24 | 1,146.05 | 100.00 *ton* |
| Application event totals | | 72.11 | 25.52 | 141.24 | 1,146.05 | |

| Application date | Application method | Precipitation 24 hours prior | Precipitation during application | Precipitation 24 hours following |
|---|---|---|---|---|
| 04/01/2023 | Surface (irrigation) | No precipitation | No precipitation | No precipitation |

| Source description | Material type | N (lbs/acre) | P (lbs/acre) | K (lbs/acre) | Salt (lbs/acre) | Amount |
|---|---|---|---|---|---|---|
| TID Lateral 3 | Ground water | 0.00 | 0.00 | 0.00 | 25.66 | 5,922,645.00 *gal* |
| Application event totals | | 0.00 | 0.00 | 0.00 | 25.66 | |

| Application date | Application method | Precipitation 24 hours prior | Precipitation during application | Precipitation 24 hours following |
|---|---|---|---|---|
| 04/22/2023 | Sidedress | No precipitation | No precipitation | No precipitation |

| Source description | Material type | N (lbs/acre) | P (lbs/acre) | K (lbs/acre) | Salt (lbs/acre) | Amount |
|---|---|---|---|---|---|---|
| UN 32 | Solid commercial fertilizer | 36.80 | 0.00 | 0.00 | 0.00 | |
| Application event totals | | 36.80 | 0.00 | 0.00 | 0.00 | |

## 21 Costa - 02/01/1997: Almond Field Run

| Application date | Application method | Precipitation 24 hours prior | Precipitation during application | Precipitation 24 hours following |
|---|---|---|---|---|
| 05/01/2023 | Surface (irrigation) | No precipitation | No precipitation | No precipitation |

| Source description | Material type | N (lbs/acre) | P (lbs/acre) | K (lbs/acre) | Salt (lbs/acre) | Amount |
|---|---|---|---|---|---|---|
| TID Lateral 3 | Ground water | 0.00 | 0.00 | 0.00 | 51.33 | 11,845,290.00 *gal* |
| Application event totals | | 0.00 | 0.00 | 0.00 | 51.33 | |

| Application date | Application method | Precipitation 24 hours prior | Precipitation during application | Precipitation 24 hours following |
|---|---|---|---|---|
| 06/01/2023 | Surface (irrigation) | No precipitation | No precipitation | No precipitation |

| Source description | Material type | N (lbs/acre) | P (lbs/acre) | K (lbs/acre) | Salt (lbs/acre) | Amount |
|---|---|---|---|---|---|---|
| TID Lateral 3 | Ground water | 0.00 | 0.00 | 0.00 | 51.33 | 11,845,290.00 *gal* |
| Application event totals | | 0.00 | 0.00 | 0.00 | 51.33 | |

| Application date | Application method | Precipitation 24 hours prior | Precipitation during application | Precipitation 24 hours following |
|---|---|---|---|---|
| 07/01/2023 | Surface (irrigation) | No precipitation | No precipitation | No precipitation |

| Source description | Material type | N (lbs/acre) | P (lbs/acre) | K (lbs/acre) | Salt (lbs/acre) | Amount |
|---|---|---|---|---|---|---|
| TID Lateral 3 | Ground water | 0.00 | 0.00 | 0.00 | 51.33 | 11,845,290.00 *gal* |
| Application event totals | | 0.00 | 0.00 | 0.00 | 51.33 | |

| Application date | Application method | Precipitation 24 hours prior | Precipitation during application | Precipitation 24 hours following |
|---|---|---|---|---|
| 08/01/2023 | Surface (irrigation) | No precipitation | No precipitation | No precipitation |

| Source description | Material type | N (lbs/acre) | P (lbs/acre) | K (lbs/acre) | Salt (lbs/acre) | Amount |
|---|---|---|---|---|---|---|
| TID Lateral 3 | Ground water | 0.00 | 0.00 | 0.00 | 51.33 | 11,845,290.00 *gal* |
| Application event totals | | 0.00 | 0.00 | 0.00 | 51.33 | |

| Application date | Application method | Precipitation 24 hours prior | Precipitation during application | Precipitation 24 hours following |
|---|---|---|---|---|
| 09/01/2023 | Surface (irrigation) | No precipitation | No precipitation | No precipitation |

| Source description | Material type | N (lbs/acre) | P (lbs/acre) | K (lbs/acre) | Salt (lbs/acre) | Amount |
|---|---|---|---|---|---|---|
| TID Lateral 3 | Ground water | 0.00 | 0.00 | 0.00 | 25.66 | 5,922,645.00 *gal* |
| Application event totals | | 0.00 | 0.00 | 0.00 | 25.66 | |

## 22 Soderstrom - 02/01/1998: Almond Field Run

Field name: 22 Soderstrom

Crop: Almond Field Run

Plant date: 02/01/1998

| Application date | Application method | Precipitation 24 hours prior | Precipitation during application | Precipitation 24 hours following |
|---|---|---|---|---|

22 Soderstrom - 02/01/1998: Almond Field Run

| Application date | Application method | Precipitation 24 hours prior | Precipitation during application | Precipitation 24 hours following |
|---|---|---|---|---|
| 11/23/2022 | Broadcast/incorporate | No precipitation | No precipitation | No precipitation |

| Source description | Material type | N (lbs/acre) | P (lbs/acre) | K (lbs/acre) | Salt (lbs/acre) | Amount |
|---|---|---|---|---|---|---|
| Compost | Compost | 70.95 | 25.11 | 138.95 | 1,127.47 | 70.00 *ton* |
| Application event totals | | 70.95 | 25.11 | 138.95 | 1,127.47 | |

| Application date | Application method | Precipitation 24 hours prior | Precipitation during application | Precipitation 24 hours following |
|---|---|---|---|---|
| 04/01/2023 | Surface (irrigation) | No precipitation | No precipitation | No precipitation |

| Source description | Material type | N (lbs/acre) | P (lbs/acre) | K (lbs/acre) | Salt (lbs/acre) | Amount |
|---|---|---|---|---|---|---|
| TID Lateral 3 | Ground water | 0.00 | 0.00 | 0.00 | 28.18 | 4,626,922.00 *gal* |
| Application event totals | | 0.00 | 0.00 | 0.00 | 28.18 | |

| Application date | Application method | Precipitation 24 hours prior | Precipitation during application | Precipitation 24 hours following |
|---|---|---|---|---|
| 04/22/2023 | Surface (irrigation) | No precipitation | No precipitation | No precipitation |

| Source description | Material type | N (lbs/acre) | P (lbs/acre) | K (lbs/acre) | Salt (lbs/acre) | Amount |
|---|---|---|---|---|---|---|
| UN 32 | Solid commercial fertilizer | 36.80 | 0.00 | 0.00 | 0.00 | |
| Application event totals | | 36.80 | 0.00 | 0.00 | 0.00 | |

| Application date | Application method | Precipitation 24 hours prior | Precipitation during application | Precipitation 24 hours following |
|---|---|---|---|---|
| 05/01/2023 | Surface (irrigation) | No precipitation | No precipitation | No precipitation |

| Source description | Material type | N (lbs/acre) | P (lbs/acre) | K (lbs/acre) | Salt (lbs/acre) | Amount |
|---|---|---|---|---|---|---|
| TID Lateral 3 | Ground water | 0.00 | 0.00 | 0.00 | 56.35 | 9,253,844.00 *gal* |
| Application event totals | | 0.00 | 0.00 | 0.00 | 56.35 | |

| Application date | Application method | Precipitation 24 hours prior | Precipitation during application | Precipitation 24 hours following |
|---|---|---|---|---|
| 06/01/2023 | Surface (irrigation) | No precipitation | No precipitation | No precipitation |

| Source description | Material type | N (lbs/acre) | P (lbs/acre) | K (lbs/acre) | Salt (lbs/acre) | Amount |
|---|---|---|---|---|---|---|
| TID Lateral 3 | Ground water | 0.00 | 0.00 | 0.00 | 56.35 | 9,253,844.00 *gal* |
| Application event totals | | 0.00 | 0.00 | 0.00 | 56.35 | |

| Application date | Application method | Precipitation 24 hours prior | Precipitation during application | Precipitation 24 hours following |
|---|---|---|---|---|
| 07/01/2023 | Surface (irrigation) | No precipitation | No precipitation | No precipitation |

| Source description | Material type | N (lbs/acre) | P (lbs/acre) | K (lbs/acre) | Salt (lbs/acre) | Amount |
|---|---|---|---|---|---|---|
| TID Lateral 3 | Ground water | 0.00 | 0.00 | 0.00 | 56.35 | 9,253,844.00 *gal* |
| Application event totals | | 0.00 | 0.00 | 0.00 | 56.35 | |

## 22 Soderstrom - 02/01/1998: Almond Field Run

| Application date | Application method | Precipitation 24 hours prior | Precipitation during application | Precipitation 24 hours following |
|---|---|---|---|---|
| 08/01/2023 | Surface (irrigation) | No precipitation | No precipitation | No precipitation |

| Source description | Material type | N (lbs/acre) | P (lbs/acre) | K (lbs/acre) | Salt (lbs/acre) | Amount |
|---|---|---|---|---|---|---|
| TID Lateral 3 | Ground water | 0.00 | 0.00 | 0.00 | 56.35 | 9,253,844.00 *gal* |
| Application event totals | | 0.00 | 0.00 | 0.00 | 56.35 | |

| Application date | Application method | Precipitation 24 hours prior | Precipitation during application | Precipitation 24 hours following |
|---|---|---|---|---|
| 09/01/2023 | Surface (irrigation) | No precipitation | No precipitation | No precipitation |

| Source description | Material type | N (lbs/acre) | P (lbs/acre) | K (lbs/acre) | Salt (lbs/acre) | Amount |
|---|---|---|---|---|---|---|
| TID Lateral 3 | Ground water | 0.00 | 0.00 | 0.00 | 28.18 | 4,626,922.00 *gal* |
| Application event totals | | 0.00 | 0.00 | 0.00 | 28.18 | |

## 23 John's Zeering - 02/01/2015: Almond Field Run

Field name: 23 John's Zeering

Crop: Almond Field Run

Plant date: 02/01/2015

| Application date | Application method | Precipitation 24 hours prior | Precipitation during application | Precipitation 24 hours following |
|---|---|---|---|---|
| 11/23/2022 | Broadcast/incorporate | No precipitation | No precipitation | No precipitation |

| Source description | Material type | N (lbs/acre) | P (lbs/acre) | K (lbs/acre) | Salt (lbs/acre) | Amount |
|---|---|---|---|---|---|---|
| Compost | Compost | 67.31 | 23.82 | 131.82 | 1,069.65 | 70.00 *ton* |
| Application event totals | | 67.31 | 23.82 | 131.82 | 1,069.65 | |

| Application date | Application method | Precipitation 24 hours prior | Precipitation during application | Precipitation 24 hours following |
|---|---|---|---|---|
| 04/01/2023 | Surface (irrigation) | No precipitation | No precipitation | No precipitation |

| Source description | Material type | N (lbs/acre) | P (lbs/acre) | K (lbs/acre) | Salt (lbs/acre) | Amount |
|---|---|---|---|---|---|---|
| TID Lateral 3 | Ground water | 0.00 | 0.00 | 0.00 | 26.92 | 4,659,921.00 *gal* |
| Application event totals | | 0.00 | 0.00 | 0.00 | 26.92 | |

| Application date | Application method | Precipitation 24 hours prior | Precipitation during application | Precipitation 24 hours following |
|---|---|---|---|---|
| 04/17/2023 | Sidedress | No precipitation | No precipitation | No precipitation |

| Source description | Material type | N (lbs/acre) | P (lbs/acre) | K (lbs/acre) | Salt (lbs/acre) | Amount |
|---|---|---|---|---|---|---|
| UN 32 | Solid commercial fertilizer | 36.80 | 0.00 | 0.00 | 0.00 | |
| Application event totals | | 36.80 | 0.00 | 0.00 | 0.00 | |

## 23 John's Zeering - 02/01/2015: Almond Field Run

| Application date | Application method | Precipitation 24 hours prior | Precipitation during application | Precipitation 24 hours following |
|---|---|---|---|---|
| 05/01/2023 | Surface (irrigation) | No precipitation | No precipitation | No precipitation |

| Source description | Material type | N (lbs/acre) | P (lbs/acre) | K (lbs/acre) | Salt (lbs/acre) | Amount |
|---|---|---|---|---|---|---|
| TID Lateral 3 | Ground water | 0.00 | 0.00 | 0.00 | 53.84 | 9,319,842.00 *gal* |
| Application event totals | | 0.00 | 0.00 | 0.00 | 53.84 | |

| Application date | Application method | Precipitation 24 hours prior | Precipitation during application | Precipitation 24 hours following |
|---|---|---|---|---|
| 06/01/2023 | Surface (irrigation) | No precipitation | No precipitation | No precipitation |

| Source description | Material type | N (lbs/acre) | P (lbs/acre) | K (lbs/acre) | Salt (lbs/acre) | Amount |
|---|---|---|---|---|---|---|
| TID Lateral 3 | Ground water | 0.00 | 0.00 | 0.00 | 53.84 | 9,319,842.00 *gal* |
| Application event totals | | 0.00 | 0.00 | 0.00 | 53.84 | |

| Application date | Application method | Precipitation 24 hours prior | Precipitation during application | Precipitation 24 hours following |
|---|---|---|---|---|
| 07/01/2023 | Surface (irrigation) | No precipitation | No precipitation | No precipitation |

| Source description | Material type | N (lbs/acre) | P (lbs/acre) | K (lbs/acre) | Salt (lbs/acre) | Amount |
|---|---|---|---|---|---|---|
| TID Lateral 3 | Ground water | 0.00 | 0.00 | 0.00 | 53.84 | 9,319,842.00 *gal* |
| Application event totals | | 0.00 | 0.00 | 0.00 | 53.84 | |

| Application date | Application method | Precipitation 24 hours prior | Precipitation during application | Precipitation 24 hours following |
|---|---|---|---|---|
| 08/01/2023 | Surface (irrigation) | No precipitation | No precipitation | No precipitation |

| Source description | Material type | N (lbs/acre) | P (lbs/acre) | K (lbs/acre) | Salt (lbs/acre) | Amount |
|---|---|---|---|---|---|---|
| TID Lateral 3 | Ground water | 0.00 | 0.00 | 0.00 | 53.84 | 9,319,842.00 *gal* |
| Application event totals | | 0.00 | 0.00 | 0.00 | 53.84 | |

| Application date | Application method | Precipitation 24 hours prior | Precipitation during application | Precipitation 24 hours following |
|---|---|---|---|---|
| 09/01/2023 | Surface (irrigation) | No precipitation | No precipitation | No precipitation |

| Source description | Material type | N (lbs/acre) | P (lbs/acre) | K (lbs/acre) | Salt (lbs/acre) | Amount |
|---|---|---|---|---|---|---|
| TID Lateral 3 | Ground water | 0.00 | 0.00 | 0.00 | 26.92 | 4,659,921.00 *gal* |
| Application event totals | | 0.00 | 0.00 | 0.00 | 26.92 | |

## 24 John's Washington - 02/01/2009: Almond Field Run

Field name: 24 John's Washington

Crop: Almond Field Run

Plant date: 02/01/2009

| Application date | Application method | Precipitation 24 hours prior | Precipitation during application | Precipitation 24 hours following |
|---|---|---|---|---|

## 24 John's Washington - 02/01/2009: Almond Field Run

| Application date | Application method | Precipitation 24 hours prior | Precipitation during application | Precipitation 24 hours following |
|---|---|---|---|---|
| 11/23/2022 | Broadcast/incorporate | No precipitation | No precipitation | No precipitation |

| Source description | Material type | N (lbs/acre) | P (lbs/acre) | K (lbs/acre) | Salt (lbs/acre) | Amount |
|---|---|---|---|---|---|---|
| Compost | Compost | 71.43 | 25.28 | 139.89 | 1,135.14 | 80.00 *ton* |
| Application event totals | | 71.43 | 25.28 | 139.89 | 1,135.14 | |

| Application date | Application method | Precipitation 24 hours prior | Precipitation during application | Precipitation 24 hours following |
|---|---|---|---|---|
| 04/01/2023 | Surface (irrigation) | No precipitation | No precipitation | No precipitation |

| Source description | Material type | N (lbs/acre) | P (lbs/acre) | K (lbs/acre) | Salt (lbs/acre) | Amount |
|---|---|---|---|---|---|---|
| TID Lateral 3 | Ground water | 0.00 | 0.00 | 0.00 | 27.70 | 5,162,696.00 *gal* |
| Application event totals | | 0.00 | 0.00 | 0.00 | 27.70 | |

| Application date | Application method | Precipitation 24 hours prior | Precipitation during application | Precipitation 24 hours following |
|---|---|---|---|---|
| 04/17/2023 | Sidedress | No precipitation | No precipitation | No precipitation |

| Source description | Material type | N (lbs/acre) | P (lbs/acre) | K (lbs/acre) | Salt (lbs/acre) | Amount |
|---|---|---|---|---|---|---|
| UN 32 | Solid commercial fertilizer | 36.80 | 0.00 | 0.00 | 0.00 | |
| Application event totals | | 36.80 | 0.00 | 0.00 | 0.00 | |

| Application date | Application method | Precipitation 24 hours prior | Precipitation during application | Precipitation 24 hours following |
|---|---|---|---|---|
| 05/01/2023 | Surface (irrigation) | No precipitation | No precipitation | No precipitation |

| Source description | Material type | N (lbs/acre) | P (lbs/acre) | K (lbs/acre) | Salt (lbs/acre) | Amount |
|---|---|---|---|---|---|---|
| TID Lateral 3 | Ground water | 0.00 | 0.00 | 0.00 | 55.39 | 10,325,392.00 *gal* |
| Application event totals | | 0.00 | 0.00 | 0.00 | 55.39 | |

| Application date | Application method | Precipitation 24 hours prior | Precipitation during application | Precipitation 24 hours following |
|---|---|---|---|---|
| 06/01/2023 | Surface (irrigation) | No precipitation | No precipitation | No precipitation |

| Source description | Material type | N (lbs/acre) | P (lbs/acre) | K (lbs/acre) | Salt (lbs/acre) | Amount |
|---|---|---|---|---|---|---|
| TID Lateral 3 | Ground water | 0.00 | 0.00 | 0.00 | 55.39 | 10,325,392.00 *gal* |
| Application event totals | | 0.00 | 0.00 | 0.00 | 55.39 | |

| Application date | Application method | Precipitation 24 hours prior | Precipitation during application | Precipitation 24 hours following |
|---|---|---|---|---|
| 07/01/2023 | Surface (irrigation) | No precipitation | No precipitation | No precipitation |

| Source description | Material type | N (lbs/acre) | P (lbs/acre) | K (lbs/acre) | Salt (lbs/acre) | Amount |
|---|---|---|---|---|---|---|
| TID Lateral 3 | Ground water | 0.00 | 0.00 | 0.00 | 55.39 | 10,325,392.00 *gal* |
| Application event totals | | 0.00 | 0.00 | 0.00 | 55.39 | |

## 24 John's Washington - 02/01/2009: Almond Field Run

| Application date | Application method | Precipitation 24 hours prior | Precipitation during application | Precipitation 24 hours following |
|---|---|---|---|---|
| 08/01/2023 | Surface (irrigation) | No precipitation | No precipitation | No precipitation |

| Source description | Material type | N (lbs/acre) | P (lbs/acre) | K (lbs/acre) | Salt (lbs/acre) | Amount |
|---|---|---|---|---|---|---|
| TID Lateral 3 | Ground water | 0.00 | 0.00 | 0.00 | 55.39 | 10,325,392.00 *gal* |
| Application event totals | | 0.00 | 0.00 | 0.00 | 55.39 | |

| Application date | Application method | Precipitation 24 hours prior | Precipitation during application | Precipitation 24 hours following |
|---|---|---|---|---|
| 09/01/2023 | Surface (irrigation) | No precipitation | No precipitation | No precipitation |

| Source description | Material type | N (lbs/acre) | P (lbs/acre) | K (lbs/acre) | Salt (lbs/acre) | Amount |
|---|---|---|---|---|---|---|
| TID Lateral 3 | Ground water | 0.00 | 0.00 | 0.00 | 27.70 | 5,162,696.00 *gal* |
| Application event totals | | 0.00 | 0.00 | 0.00 | 27.70 | |

## 25 John's Dairy - 02/01/2009: Almond Field Run

Field name: 25 John's Dairy

Crop: Almond Field Run

Plant date: 02/01/2009

| Application date | Application method | Precipitation 24 hours prior | Precipitation during application | Precipitation 24 hours following |
|---|---|---|---|---|
| 04/01/2023 | Surface (irrigation) | No precipitation | No precipitation | No precipitation |

| Source description | Material type | N (lbs/acre) | P (lbs/acre) | K (lbs/acre) | Salt (lbs/acre) | Amount |
|---|---|---|---|---|---|---|
| TID Lateral 3 | Ground water | 0.00 | 0.00 | 0.00 | 26.97 | 3,949,849.00 *gal* |
| Application event totals | | 0.00 | 0.00 | 0.00 | 26.97 | |

| Application date | Application method | Precipitation 24 hours prior | Precipitation during application | Precipitation 24 hours following |
|---|---|---|---|---|
| 04/17/2023 | Sidedress | No precipitation | No precipitation | No precipitation |

| Source description | Material type | N (lbs/acre) | P (lbs/acre) | K (lbs/acre) | Salt (lbs/acre) | Amount |
|---|---|---|---|---|---|---|
| UN 32 | Solid commercial fertilizer | 36.80 | 0.00 | 0.00 | 0.00 | |
| Application event totals | | 36.80 | 0.00 | 0.00 | 0.00 | |

| Application date | Application method | Precipitation 24 hours prior | Precipitation during application | Precipitation 24 hours following |
|---|---|---|---|---|
| 05/01/2023 | Surface (irrigation) | No precipitation | No precipitation | No precipitation |

| Source description | Material type | N (lbs/acre) | P (lbs/acre) | K (lbs/acre) | Salt (lbs/acre) | Amount |
|---|---|---|---|---|---|---|
| TID Lateral 3 | Ground water | 0.00 | 0.00 | 0.00 | 53.94 | 7,899,698.00 *gal* |
| Application event totals | | 0.00 | 0.00 | 0.00 | 53.94 | |

## 25 John's Dairy - 02/01/2009: Almond Field Run

| Application date | Application method | Precipitation 24 hours prior | Precipitation during application | Precipitation 24 hours following |
|---|---|---|---|---|
| 06/01/2023 | Surface (irrigation) | No precipitation | No precipitation | No precipitation |

| Source description | Material type | N (lbs/acre) | P (lbs/acre) | K (lbs/acre) | Salt (lbs/acre) | Amount |
|---|---|---|---|---|---|---|
| TID Lateral 3 | Ground water | 0.00 | 0.00 | 0.00 | 53.94 | 7,899,698.00 *gal* |
| Application event totals | | 0.00 | 0.00 | 0.00 | 53.94 | |

| Application date | Application method | Precipitation 24 hours prior | Precipitation during application | Precipitation 24 hours following |
|---|---|---|---|---|
| 07/01/2023 | Surface (irrigation) | No precipitation | No precipitation | No precipitation |

| Source description | Material type | N (lbs/acre) | P (lbs/acre) | K (lbs/acre) | Salt (lbs/acre) | Amount |
|---|---|---|---|---|---|---|
| TID Lateral 3 | Ground water | 0.00 | 0.00 | 0.00 | 53.94 | 7,899,698.00 *gal* |
| Application event totals | | 0.00 | 0.00 | 0.00 | 53.94 | |

| Application date | Application method | Precipitation 24 hours prior | Precipitation during application | Precipitation 24 hours following |
|---|---|---|---|---|
| 08/01/2023 | Surface (irrigation) | No precipitation | No precipitation | No precipitation |

| Source description | Material type | N (lbs/acre) | P (lbs/acre) | K (lbs/acre) | Salt (lbs/acre) | Amount |
|---|---|---|---|---|---|---|
| TID Lateral 3 | Ground water | 0.00 | 0.00 | 0.00 | 53.94 | 7,899,698.00 *gal* |
| Application event totals | | 0.00 | 0.00 | 0.00 | 53.94 | |

| Application date | Application method | Precipitation 24 hours prior | Precipitation during application | Precipitation 24 hours following |
|---|---|---|---|---|
| 09/01/2023 | Surface (irrigation) | No precipitation | No precipitation | No precipitation |

| Source description | Material type | N (lbs/acre) | P (lbs/acre) | K (lbs/acre) | Salt (lbs/acre) | Amount |
|---|---|---|---|---|---|---|
| TID Lateral 3 | Ground water | 0.00 | 0.00 | 0.00 | 26.97 | 3,949,849.00 *gal* |
| Application event totals | | 0.00 | 0.00 | 0.00 | 26.97 | |

| Application date | Application method | Precipitation 24 hours prior | Precipitation during application | Precipitation 24 hours following |
|---|---|---|---|---|
| 11/23/2023 | Broadcast/incorporate | No precipitation | No precipitation | No precipitation |

| Source description | Material type | N (lbs/acre) | P (lbs/acre) | K (lbs/acre) | Salt (lbs/acre) | Amount |
|---|---|---|---|---|---|---|
| Compost | Compost | 79.54 | 28.15 | 155.79 | 1,264.13 | 70.00 *ton* |
| Application event totals | | 79.54 | 28.15 | 155.79 | 1,264.13 | |

## 26 Fulkerth - 02/01/2003: Almond Field Run

Field name: 26 Fulkerth

Crop: Almond Field Run

Plant date: 02/01/2003

| Application date | Application method | Precipitation 24 hours prior | Precipitation during application | Precipitation 24 hours following |
|---|---|---|---|---|

## 26 Fulkerth - 02/01/2003: Almond Field Run

| Application date | Application method | Precipitation 24 hours prior | Precipitation during application | Precipitation 24 hours following |
|---|---|---|---|---|
| 11/26/2022 | Broadcast/incorporate | No precipitation | No precipitation | No precipitation |

| Source description | Material type | N (lbs/acre) | P (lbs/acre) | K (lbs/acre) | Salt (lbs/acre) | Amount |
|---|---|---|---|---|---|---|
| Compost | Compost | 67.71 | 23.96 | 132.61 | 1,076.02 | 65.00 *ton* |
| Application event totals | | 67.71 | 23.96 | 132.61 | 1,076.02 | |

| Application date | Application method | Precipitation 24 hours prior | Precipitation during application | Precipitation 24 hours following |
|---|---|---|---|---|
| 04/01/2023 | Surface (irrigation) | No precipitation | No precipitation | No precipitation |

| Source description | Material type | N (lbs/acre) | P (lbs/acre) | K (lbs/acre) | Salt (lbs/acre) | Amount |
|---|---|---|---|---|---|---|
| TID Lateral 4 | Ground water | 0.00 | 0.00 | 0.00 | 23.24 | 3,856,269.00 *gal* |
| Application event totals | | 0.00 | 0.00 | 0.00 | 23.24 | |

| Application date | Application method | Precipitation 24 hours prior | Precipitation during application | Precipitation 24 hours following |
|---|---|---|---|---|
| 04/26/2023 | Sidedress | No precipitation | No precipitation | No precipitation |

| Source description | Material type | N (lbs/acre) | P (lbs/acre) | K (lbs/acre) | Salt (lbs/acre) | Amount |
|---|---|---|---|---|---|---|
| UN 32 | Solid commercial fertilizer | 36.80 | 0.00 | 0.00 | 0.00 | |
| Application event totals | | 36.80 | 0.00 | 0.00 | 0.00 | |

| Application date | Application method | Precipitation 24 hours prior | Precipitation during application | Precipitation 24 hours following |
|---|---|---|---|---|
| 05/01/2023 | Surface (irrigation) | No precipitation | No precipitation | No precipitation |

| Source description | Material type | N (lbs/acre) | P (lbs/acre) | K (lbs/acre) | Salt (lbs/acre) | Amount |
|---|---|---|---|---|---|---|
| TID Lateral 4 | Ground water | 0.00 | 0.00 | 0.00 | 46.48 | 7,712,538.00 *gal* |
| Application event totals | | 0.00 | 0.00 | 0.00 | 46.48 | |

| Application date | Application method | Precipitation 24 hours prior | Precipitation during application | Precipitation 24 hours following |
|---|---|---|---|---|
| 06/01/2023 | Surface (irrigation) | No precipitation | No precipitation | No precipitation |

| Source description | Material type | N (lbs/acre) | P (lbs/acre) | K (lbs/acre) | Salt (lbs/acre) | Amount |
|---|---|---|---|---|---|---|
| TID Lateral 4 | Ground water | 0.00 | 0.00 | 0.00 | 46.48 | 7,712,538.00 *gal* |
| Application event totals | | 0.00 | 0.00 | 0.00 | 46.48 | |

| Application date | Application method | Precipitation 24 hours prior | Precipitation during application | Precipitation 24 hours following |
|---|---|---|---|---|
| 07/01/2023 | Surface (irrigation) | No precipitation | No precipitation | No precipitation |

| Source description | Material type | N (lbs/acre) | P (lbs/acre) | K (lbs/acre) | Salt (lbs/acre) | Amount |
|---|---|---|---|---|---|---|
| TID Lateral 4 | Ground water | 0.00 | 0.00 | 0.00 | 46.48 | 7,712,538.00 *gal* |
| Application event totals | | 0.00 | 0.00 | 0.00 | 46.48 | |

## 26 Fulkerth - 02/01/2003: Almond Field Run

| Application date | Application method | Precipitation 24 hours prior | Precipitation during application | Precipitation 24 hours following |
|---|---|---|---|---|
| 08/01/2023 | Surface (irrigation) | No precipitation | No precipitation | No precipitation |

| Source description | Material type | N (lbs/acre) | P (lbs/acre) | K (lbs/acre) | Salt (lbs/acre) | Amount |
|---|---|---|---|---|---|---|
| TID Lateral 4 | Ground water | 0.00 | 0.00 | 0.00 | 46.48 | 7,712,538.00 *gal* |
| Application event totals | | 0.00 | 0.00 | 0.00 | 46.48 | |

| Application date | Application method | Precipitation 24 hours prior | Precipitation during application | Precipitation 24 hours following |
|---|---|---|---|---|
| 09/01/2023 | Surface (irrigation) | No precipitation | No precipitation | No precipitation |

| Source description | Material type | N (lbs/acre) | P (lbs/acre) | K (lbs/acre) | Salt (lbs/acre) | Amount |
|---|---|---|---|---|---|---|
| TID Lateral 4 | Ground water | 0.00 | 0.00 | 0.00 | 23.24 | 3,856,269.00 *gal* |
| Application event totals | | 0.00 | 0.00 | 0.00 | 23.24 | |

## 27 Fransil - 02/01/2002: Almond Field Run

Field name: 27 Fransil

Crop: Almond Field Run

Plant date: 02/01/2002

| Application date | Application method | Precipitation 24 hours prior | Precipitation during application | Precipitation 24 hours following |
|---|---|---|---|---|
| 11/26/2022 | Broadcast/incorporate | No precipitation | No precipitation | No precipitation |

| Source description | Material type | N (lbs/acre) | P (lbs/acre) | K (lbs/acre) | Salt (lbs/acre) | Amount |
|---|---|---|---|---|---|---|
| Compost | Compost | 74.01 | 26.20 | 144.95 | 1,176.21 | 75.00 *ton* |
| Application event totals | | 74.01 | 26.20 | 144.95 | 1,176.21 | |

| Application date | Application method | Precipitation 24 hours prior | Precipitation during application | Precipitation 24 hours following |
|---|---|---|---|---|
| 04/01/2023 | Surface (irrigation) | No precipitation | No precipitation | No precipitation |

| Source description | Material type | N (lbs/acre) | P (lbs/acre) | K (lbs/acre) | Salt (lbs/acre) | Amount |
|---|---|---|---|---|---|---|
| TID Lateral 4 | Ground water | 0.00 | 0.00 | 0.00 | 28.69 | 5,025,326.00 *gal* |
| Application event totals | | 0.00 | 0.00 | 0.00 | 28.69 | |

| Application date | Application method | Precipitation 24 hours prior | Precipitation during application | Precipitation 24 hours following |
|---|---|---|---|---|
| 04/26/2023 | Surface (irrigation) | No precipitation | No precipitation | No precipitation |

| Source description | Material type | N (lbs/acre) | P (lbs/acre) | K (lbs/acre) | Salt (lbs/acre) | Amount |
|---|---|---|---|---|---|---|
| UN 32 | Solid commercial fertilizer | 36.80 | 0.00 | 0.00 | 0.00 | |
| Application event totals | | 36.80 | 0.00 | 0.00 | 0.00 | |

## 27 Fransil - 02/01/2002: Almond Field Run

| Application date | Application method | Precipitation 24 hours prior | Precipitation during application | Precipitation 24 hours following |
|---|---|---|---|---|
| 05/01/2023 | Surface (irrigation) | No precipitation | No precipitation | No precipitation |

| Source description | Material type | N (lbs/acre) | P (lbs/acre) | K (lbs/acre) | Salt (lbs/acre) | Amount |
|---|---|---|---|---|---|---|
| TID Lateral 4 | Ground water | 0.00 | 0.00 | 0.00 | 57.39 | 10,050,652.00 *gal* |
| Application event totals | | 0.00 | 0.00 | 0.00 | 57.39 | |

| Application date | Application method | Precipitation 24 hours prior | Precipitation during application | Precipitation 24 hours following |
|---|---|---|---|---|
| 06/01/2023 | Surface (irrigation) | No precipitation | No precipitation | No precipitation |

| Source description | Material type | N (lbs/acre) | P (lbs/acre) | K (lbs/acre) | Salt (lbs/acre) | Amount |
|---|---|---|---|---|---|---|
| TID Lateral 4 | Ground water | 0.00 | 0.00 | 0.00 | 57.39 | 10,050,652.00 *gal* |
| Application event totals | | 0.00 | 0.00 | 0.00 | 57.39 | |

| Application date | Application method | Precipitation 24 hours prior | Precipitation during application | Precipitation 24 hours following |
|---|---|---|---|---|
| 07/01/2023 | Surface (irrigation) | No precipitation | No precipitation | No precipitation |

| Source description | Material type | N (lbs/acre) | P (lbs/acre) | K (lbs/acre) | Salt (lbs/acre) | Amount |
|---|---|---|---|---|---|---|
| TID Lateral 4 | Ground water | 0.00 | 0.00 | 0.00 | 57.39 | 10,050,652.00 *gal* |
| Application event totals | | 0.00 | 0.00 | 0.00 | 57.39 | |

| Application date | Application method | Precipitation 24 hours prior | Precipitation during application | Precipitation 24 hours following |
|---|---|---|---|---|
| 08/01/2023 | Surface (irrigation) | No precipitation | No precipitation | No precipitation |

| Source description | Material type | N (lbs/acre) | P (lbs/acre) | K (lbs/acre) | Salt (lbs/acre) | Amount |
|---|---|---|---|---|---|---|
| TID Lateral 4 | Ground water | 0.00 | 0.00 | 0.00 | 57.39 | 10,050,652.00 *gal* |
| Application event totals | | 0.00 | 0.00 | 0.00 | 57.39 | |

| Application date | Application method | Precipitation 24 hours prior | Precipitation during application | Precipitation 24 hours following |
|---|---|---|---|---|
| 09/01/2023 | Surface (irrigation) | No precipitation | No precipitation | No precipitation |

| Source description | Material type | N (lbs/acre) | P (lbs/acre) | K (lbs/acre) | Salt (lbs/acre) | Amount |
|---|---|---|---|---|---|---|
| TID Lateral 4 | Ground water | 0.00 | 0.00 | 0.00 | 28.69 | 5,025,326.00 *gal* |
| Application event totals | | 0.00 | 0.00 | 0.00 | 28.69 | |

## 28 Crowslanding - 02/01/2000: Almond Field Run

Field name: 28 Crowslanding

Crop: Almond Field Run

Plant date: 02/01/2000

| Application date | Application method | Precipitation 24 hours prior | Precipitation during application | Precipitation 24 hours following |
|---|---|---|---|---|

## 28 Crowslanding - 02/01/2000: Almond Field Run

| Application date | Application method | Precipitation 24 hours prior | Precipitation during application | Precipitation 24 hours following |
|---|---|---|---|---|
| 04/01/2023 | Surface (irrigation) | No precipitation | No precipitation | No precipitation |

| Source description | Material type | N (lbs/acre) | P (lbs/acre) | K (lbs/acre) | Salt (lbs/acre) | Amount |
|---|---|---|---|---|---|---|
| TID Lateral 4 | Ground water | 0.00 | 0.00 | 0.00 | 24.76 | 4,221,669.00 *gal* |
| Application event totals | | 0.00 | 0.00 | 0.00 | 24.76 | |

| Application date | Application method | Precipitation 24 hours prior | Precipitation during application | Precipitation 24 hours following |
|---|---|---|---|---|
| 04/26/2023 | Sidedress | No precipitation | No precipitation | No precipitation |

| Source description | Material type | N (lbs/acre) | P (lbs/acre) | K (lbs/acre) | Salt (lbs/acre) | Amount |
|---|---|---|---|---|---|---|
| UN 32 | Solid commercial fertilizer | 36.80 | 0.00 | 0.00 | 0.00 | |
| Application event totals | | 36.80 | 0.00 | 0.00 | 0.00 | |

| Application date | Application method | Precipitation 24 hours prior | Precipitation during application | Precipitation 24 hours following |
|---|---|---|---|---|
| 05/01/2023 | Surface (irrigation) | No precipitation | No precipitation | No precipitation |

| Source description | Material type | N (lbs/acre) | P (lbs/acre) | K (lbs/acre) | Salt (lbs/acre) | Amount |
|---|---|---|---|---|---|---|
| TID Lateral 4 | Ground water | 0.00 | 0.00 | 0.00 | 49.51 | 8,443,338.00 *gal* |
| Application event totals | | 0.00 | 0.00 | 0.00 | 49.51 | |

| Application date | Application method | Precipitation 24 hours prior | Precipitation during application | Precipitation 24 hours following |
|---|---|---|---|---|
| 06/01/2023 | Surface (irrigation) | No precipitation | No precipitation | No precipitation |

| Source description | Material type | N (lbs/acre) | P (lbs/acre) | K (lbs/acre) | Salt (lbs/acre) | Amount |
|---|---|---|---|---|---|---|
| TID Lateral 4 | Ground water | 0.00 | 0.00 | 0.00 | 49.51 | 8,443,339.00 *gal* |
| Application event totals | | 0.00 | 0.00 | 0.00 | 49.51 | |

| Application date | Application method | Precipitation 24 hours prior | Precipitation during application | Precipitation 24 hours following |
|---|---|---|---|---|
| 07/01/2023 | Surface (irrigation) | No precipitation | No precipitation | No precipitation |

| Source description | Material type | N (lbs/acre) | P (lbs/acre) | K (lbs/acre) | Salt (lbs/acre) | Amount |
|---|---|---|---|---|---|---|
| TID Lateral 4 | Ground water | 0.00 | 0.00 | 0.00 | 49.51 | 8,443,338.00 *gal* |
| Application event totals | | 0.00 | 0.00 | 0.00 | 49.51 | |

| Application date | Application method | Precipitation 24 hours prior | Precipitation during application | Precipitation 24 hours following |
|---|---|---|---|---|
| 08/01/2023 | Surface (irrigation) | No precipitation | No precipitation | No precipitation |

| Source description | Material type | N (lbs/acre) | P (lbs/acre) | K (lbs/acre) | Salt (lbs/acre) | Amount |
|---|---|---|---|---|---|---|
| TID Lateral 4 | Ground water | 0.00 | 0.00 | 0.00 | 49.51 | 8,443,338.00 *gal* |
| Application event totals | | 0.00 | 0.00 | 0.00 | 49.51 | |

## 28 Crowslanding - 02/01/2000: Almond Field Run

| Application date | Application method | Precipitation 24 hours prior | Precipitation during application | Precipitation 24 hours following |
|---|---|---|---|---|
| 09/01/2023 | Surface (irrigation) | No precipitation | No precipitation | No precipitation |

| Source description | Material type | N (lbs/acre) | P (lbs/acre) | K (lbs/acre) | Salt (lbs/acre) | Amount |
|---|---|---|---|---|---|---|
| TID Lateral 4 | Ground water | 0.00 | 0.00 | 0.00 | 24.76 | 4,221,669.00 *gal* |
| Application event totals | | 0.00 | 0.00 | 0.00 | 24.76 | |

| Application date | Application method | Precipitation 24 hours prior | Precipitation during application | Precipitation 24 hours following |
|---|---|---|---|---|
| 11/24/2023 | Broadcast/incorporate | No precipitation | No precipitation | No precipitation |

| Source description | Material type | N (lbs/acre) | P (lbs/acre) | K (lbs/acre) | Salt (lbs/acre) | Amount |
|---|---|---|---|---|---|---|
| Compost | Compost | 65.88 | 23.32 | 129.02 | 1,046.94 | 65.00 *ton* |
| Application event totals | | 65.88 | 23.32 | 129.02 | 1,046.94 | |

## 29 Railroad - 02/01/2007: Almond Field Run

Field name: 29 Railroad

Crop: Almond Field Run

Plant date: 02/01/2007

| Application date | Application method | Precipitation 24 hours prior | Precipitation during application | Precipitation 24 hours following |
|---|---|---|---|---|
| 11/24/2022 | Broadcast/incorporate | No precipitation | No precipitation | No precipitation |

| Source description | Material type | N (lbs/acre) | P (lbs/acre) | K (lbs/acre) | Salt (lbs/acre) | Amount |
|---|---|---|---|---|---|---|
| Compost | Compost | 70.31 | 24.89 | 137.71 | 1,117.40 | 45.00 *ton* |
| Application event totals | | 70.31 | 24.89 | 137.71 | 1,117.40 | |

| Application date | Application method | Precipitation 24 hours prior | Precipitation during application | Precipitation 24 hours following |
|---|---|---|---|---|
| 04/01/2023 | Surface (irrigation) | No precipitation | No precipitation | No precipitation |

| Source description | Material type | N (lbs/acre) | P (lbs/acre) | K (lbs/acre) | Salt (lbs/acre) | Amount |
|---|---|---|---|---|---|---|
| TID Lateral 4 | Ground water | 0.00 | 0.00 | 0.00 | 29.17 | 3,226,269.00 *gal* |
| Application event totals | | 0.00 | 0.00 | 0.00 | 29.17 | |

| Application date | Application method | Precipitation 24 hours prior | Precipitation during application | Precipitation 24 hours following |
|---|---|---|---|---|
| 04/28/2023 | Surface (irrigation) | No precipitation | No precipitation | No precipitation |

| Source description | Material type | N (lbs/acre) | P (lbs/acre) | K (lbs/acre) | Salt (lbs/acre) | Amount |
|---|---|---|---|---|---|---|
| UN 32 | Solid commercial fertilizer | 36.80 | 0.00 | 0.00 | 0.00 | |
| Application event totals | | 36.80 | 0.00 | 0.00 | 0.00 | |

## 29 Railroad - 02/01/2007: Almond Field Run

| Application date | Application method | Precipitation 24 hours prior | Precipitation during application | Precipitation 24 hours following |
|---|---|---|---|---|
| 05/01/2023 | Surface (irrigation) | No precipitation | No precipitation | No precipitation |

| Source description | Material type | N (lbs/acre) | P (lbs/acre) | K (lbs/acre) | Salt (lbs/acre) | Amount |
|---|---|---|---|---|---|---|
| TID Lateral 4 | Ground water | 0.00 | 0.00 | 0.00 | 58.33 | 6,452,538.00 *gal* |
| Application event totals | | 0.00 | 0.00 | 0.00 | 58.33 | |

| Application date | Application method | Precipitation 24 hours prior | Precipitation during application | Precipitation 24 hours following |
|---|---|---|---|---|
| 06/01/2023 | Surface (irrigation) | No precipitation | No precipitation | No precipitation |

| Source description | Material type | N (lbs/acre) | P (lbs/acre) | K (lbs/acre) | Salt (lbs/acre) | Amount |
|---|---|---|---|---|---|---|
| TID Lateral 4 | Ground water | 0.00 | 0.00 | 0.00 | 58.33 | 6,452,538.00 *gal* |
| Application event totals | | 0.00 | 0.00 | 0.00 | 58.33 | |

| Application date | Application method | Precipitation 24 hours prior | Precipitation during application | Precipitation 24 hours following |
|---|---|---|---|---|
| 07/01/2023 | Surface (irrigation) | No precipitation | No precipitation | No precipitation |

| Source description | Material type | N (lbs/acre) | P (lbs/acre) | K (lbs/acre) | Salt (lbs/acre) | Amount |
|---|---|---|---|---|---|---|
| TID Lateral 4 | Ground water | 0.00 | 0.00 | 0.00 | 58.33 | 6,452,538.00 *gal* |
| Application event totals | | 0.00 | 0.00 | 0.00 | 58.33 | |

| Application date | Application method | Precipitation 24 hours prior | Precipitation during application | Precipitation 24 hours following |
|---|---|---|---|---|
| 08/01/2023 | Surface (irrigation) | No precipitation | No precipitation | No precipitation |

| Source description | Material type | N (lbs/acre) | P (lbs/acre) | K (lbs/acre) | Salt (lbs/acre) | Amount |
|---|---|---|---|---|---|---|
| TID Lateral 4 | Ground water | 0.00 | 0.00 | 0.00 | 58.33 | 6,452,538.00 *gal* |
| Application event totals | | 0.00 | 0.00 | 0.00 | 58.33 | |

| Application date | Application method | Precipitation 24 hours prior | Precipitation during application | Precipitation 24 hours following |
|---|---|---|---|---|
| 09/01/2023 | Surface (irrigation) | No precipitation | No precipitation | No precipitation |

| Source description | Material type | N (lbs/acre) | P (lbs/acre) | K (lbs/acre) | Salt (lbs/acre) | Amount |
|---|---|---|---|---|---|---|
| TID Lateral 4 | Ground water | 0.00 | 0.00 | 0.00 | 29.17 | 3,226,269.00 *gal* |
| Application event totals | | 0.00 | 0.00 | 0.00 | 29.17 | |

## 3 Berryhill West - 11/02/2022: Oats, silage-soft dough

Field name: 3 Berryhill West

Crop: Oats, silage-soft dough

Plant date: 11/02/2022

| Application date | Application method | Precipitation 24 hours prior | Precipitation during application | Precipitation 24 hours following |
|---|---|---|---|---|

## 3 Berryhill West - 11/02/2022: Oats, silage-soft dough

| Application date | Application method | Precipitation 24 hours prior | Precipitation during application | Precipitation 24 hours following |
|---|---|---|---|---|
| 10/15/2022 | Surface (irrigation) | No precipitation | No precipitation | No precipitation |

| Source description | Material type | N (lbs/acre) | P (lbs/acre) | K (lbs/acre) | Salt (lbs/acre) | Amount |
|---|---|---|---|---|---|---|
| WWS | Process wastewater | 47.28 | 6.04 | 43.03 | 570.55 | 623,262.00 *gal* |
| TID Lateral 3 | Ground water | 0.00 | 0.00 | 0.00 | 0.00 | 5,265,000.00 *gal* |
| Application event totals | | 47.28 | 6.04 | 43.03 | 570.55 | |

| | | | | |
|---|---|---|---|---|
| 02/11/2023 | Surface (irrigation) | No precipitation | No precipitation | No precipitation |

| Source description | Material type | N (lbs/acre) | P (lbs/acre) | K (lbs/acre) | Salt (lbs/acre) | Amount |
|---|---|---|---|---|---|---|
| WWS | Process wastewater | 61.62 | 5.81 | 106.31 | 613.91 | 446,269.00 *gal* |
| IW- Berryhill W | Ground water | 17.50 | 0.00 | 0.00 | 249.08 | 2,592,000.00 *gal* |
| Application event totals | | 79.12 | 5.81 | 106.31 | 862.99 | |

| | | | | |
|---|---|---|---|---|
| 04/10/2023 | Surface (irrigation) | No precipitation | No precipitation | No precipitation |

| Source description | Material type | N (lbs/acre) | P (lbs/acre) | K (lbs/acre) | Salt (lbs/acre) | Amount |
|---|---|---|---|---|---|---|
| WWS | Process wastewater | 85.50 | 8.06 | 147.52 | 851.89 | 619,262.00 *gal* |
| TID Lateral 3 | Ground water | 0.00 | 0.00 | 0.00 | 33.18 | 4,860,000.00 *gal* |
| Application event totals | | 85.50 | 8.06 | 147.52 | 885.08 | |

## 3 Berryhill West - 06/04/2023: Corn, silage

Field name: 3 Berryhill West

Crop: Corn, silage

Plant date: 06/04/2023

| Application date | Application method | Precipitation 24 hours prior | Precipitation during application | Precipitation 24 hours following |
|---|---|---|---|---|
| 05/25/2023 | Surface (irrigation) | No precipitation | No precipitation | No precipitation |

| Source description | Material type | N (lbs/acre) | P (lbs/acre) | K (lbs/acre) | Salt (lbs/acre) | Amount |
|---|---|---|---|---|---|---|
| WWS | Process wastewater | 254.57 | 7.11 | 199.88 | 776.91 | 745,692.00 *gal* |
| TID Lateral 3 | Ground water | 0.00 | 0.00 | 0.00 | 41.48 | 6,075,000.00 *gal* |
| Application event totals | | 254.57 | 7.11 | 199.88 | 818.39 | |

3 Berryhill West - 06/04/2023: Corn, silage

| Application date | Application method | Precipitation 24 hours prior | Precipitation during application | Precipitation 24 hours following |
|---|---|---|---|---|
| 07/05/2023 | Surface (irrigation) | No precipitation | No precipitation | No precipitation |

| Source description | Material type | N (lbs/acre) | P (lbs/acre) | K (lbs/acre) | Salt (lbs/acre) | Amount |
|---|---|---|---|---|---|---|
| TID Lateral 3 | Ground water | 0.00 | 0.00 | 0.00 | 38.71 | 5,670,000.00 *gal* |
| Application event totals | | 0.00 | 0.00 | 0.00 | 38.71 | |

| Application date | Application method | Precipitation 24 hours prior | Precipitation during application | Precipitation 24 hours following |
|---|---|---|---|---|
| 07/16/2023 | Surface (irrigation) | No precipitation | No precipitation | No precipitation |

| Source description | Material type | N (lbs/acre) | P (lbs/acre) | K (lbs/acre) | Salt (lbs/acre) | Amount |
|---|---|---|---|---|---|---|
| WWS | Process wastewater | 89.43 | 3.85 | 89.82 | 957.22 | 507,413.00 *gal* |
| TID Lateral 3 | Ground water | 0.00 | 0.00 | 0.00 | 38.71 | 5,670,000.00 *gal* |
| Application event totals | | 89.43 | 3.85 | 89.82 | 995.94 | |

| Application date | Application method | Precipitation 24 hours prior | Precipitation during application | Precipitation 24 hours following |
|---|---|---|---|---|
| 07/27/2023 | Surface (irrigation) | No precipitation | No precipitation | No precipitation |

| Source description | Material type | N (lbs/acre) | P (lbs/acre) | K (lbs/acre) | Salt (lbs/acre) | Amount |
|---|---|---|---|---|---|---|
| TID Lateral 3 | Ground water | 0.00 | 0.00 | 0.00 | 36.64 | 5,366,250.00 *gal* |
| Application event totals | | 0.00 | 0.00 | 0.00 | 36.64 | |

| Application date | Application method | Precipitation 24 hours prior | Precipitation during application | Precipitation 24 hours following |
|---|---|---|---|---|
| 08/07/2023 | Surface (irrigation) | No precipitation | No precipitation | No precipitation |

| Source description | Material type | N (lbs/acre) | P (lbs/acre) | K (lbs/acre) | Salt (lbs/acre) | Amount |
|---|---|---|---|---|---|---|
| TID Lateral 3 | Ground water | 0.00 | 0.00 | 0.00 | 35.95 | 5,265,000.00 *gal* |
| Application event totals | | 0.00 | 0.00 | 0.00 | 35.95 | |

| Application date | Application method | Precipitation 24 hours prior | Precipitation during application | Precipitation 24 hours following |
|---|---|---|---|---|
| 08/18/2023 | Surface (irrigation) | No precipitation | No precipitation | No precipitation |

| Source description | Material type | N (lbs/acre) | P (lbs/acre) | K (lbs/acre) | Salt (lbs/acre) | Amount |
|---|---|---|---|---|---|---|
| TID Lateral 3 | Ground water | 0.00 | 0.00 | 0.00 | 33.18 | 4,860,000.00 *gal* |
| Application event totals | | 0.00 | 0.00 | 0.00 | 33.18 | |

| Application date | Application method | Precipitation 24 hours prior | Precipitation during application | Precipitation 24 hours following |
|---|---|---|---|---|
| 08/29/2023 | Surface (irrigation) | No precipitation | No precipitation | No precipitation |

| Source description | Material type | N (lbs/acre) | P (lbs/acre) | K (lbs/acre) | Salt (lbs/acre) | Amount |
|---|---|---|---|---|---|---|
| TID Lateral 3 | Ground water | 0.00 | 0.00 | 0.00 | 33.18 | 4,860,000.00 *gal* |
| Application event totals | | 0.00 | 0.00 | 0.00 | 33.18 | |

## 30 Borba - 10/31/2022: Oats, silage-soft dough

Field name: 30 Borba

Crop: Oats, silage-soft dough

Plant date: 10/31/2022

| Application date | Application method | Precipitation 24 hours prior | Precipitation during application | Precipitation 24 hours following |
|---|---|---|---|---|
| 10/02/2022 | Broadcast/incorporate | No precipitation | No precipitation | No precipitation |

| Source description | Material type | N (lbs/acre) | P (lbs/acre) | K (lbs/acre) | Salt (lbs/acre) | Amount |
|---|---|---|---|---|---|---|
| Corral Solids | Corral solids | 212.11 | 91.95 | 633.19 | 4,816.85 | 800.00 *ton* |
| Application event totals | | 212.11 | 91.95 | 633.19 | 4,816.85 | |

| Application date | Application method | Precipitation 24 hours prior | Precipitation during application | Precipitation 24 hours following |
|---|---|---|---|---|
| 10/14/2022 | Surface (irrigation) | No precipitation | No precipitation | No precipitation |

| Source description | Material type | N (lbs/acre) | P (lbs/acre) | K (lbs/acre) | Salt (lbs/acre) | Amount |
|---|---|---|---|---|---|---|
| TID Lateral 4 | Ground water | 0.00 | 0.00 | 0.00 | 0.00 | 19,440,000.00 *gal* |
| Application event totals | | 0.00 | 0.00 | 0.00 | 0.00 | |

| Application date | Application method | Precipitation 24 hours prior | Precipitation during application | Precipitation 24 hours following |
|---|---|---|---|---|
| 04/06/2023 | Surface (irrigation) | No precipitation | No precipitation | No precipitation |

| Source description | Material type | N (lbs/acre) | P (lbs/acre) | K (lbs/acre) | Salt (lbs/acre) | Amount |
|---|---|---|---|---|---|---|
| TID Lateral 4 | Ground water | 0.00 | 0.00 | 0.00 | 36.68 | 19,440,000.00 *gal* |
| Application event totals | | 0.00 | 0.00 | 0.00 | 36.68 | |

## 30 Borba - 05/29/2023: Corn, silage

Field name: 30 Borba

Crop: Corn, silage

Plant date: 05/29/2023

| Application date | Application method | Precipitation 24 hours prior | Precipitation during application | Precipitation 24 hours following |
|---|---|---|---|---|
| 05/08/2023 | Broadcast/incorporate | No precipitation | No precipitation | No precipitation |

| Source description | Material type | N (lbs/acre) | P (lbs/acre) | K (lbs/acre) | Salt (lbs/acre) | Amount |
|---|---|---|---|---|---|---|
| Corral Solids | Corral solids | 276.74 | 88.91 | 48.64 | 6,452.78 | 860.00 *ton* |
| Application event totals | | 276.74 | 88.91 | 48.64 | 6,452.78 | |

30 Borba - 05/29/2023: Corn, silage

| Application date | Application method | Precipitation 24 hours prior | Precipitation during application | Precipitation 24 hours following |
|---|---|---|---|---|
| 05/16/2023 | Surface (irrigation) | No precipitation | No precipitation | No precipitation |

| Source description | Material type | N (lbs/acre) | P (lbs/acre) | K (lbs/acre) | Salt (lbs/acre) | Amount |
|---|---|---|---|---|---|---|
| TID Lateral 4 | Ground water | 0.00 | 0.00 | 0.00 | 38.97 | 20,655,000.00 *gal* |
| Application event totals | | 0.00 | 0.00 | 0.00 | 38.97 | |

| Application date | Application method | Precipitation 24 hours prior | Precipitation during application | Precipitation 24 hours following |
|---|---|---|---|---|
| 06/26/2023 | Surface (irrigation) | No precipitation | No precipitation | No precipitation |

| Source description | Material type | N (lbs/acre) | P (lbs/acre) | K (lbs/acre) | Salt (lbs/acre) | Amount |
|---|---|---|---|---|---|---|
| TID Lateral 4 | Ground water | 0.00 | 0.00 | 0.00 | 38.21 | 20,250,000.00 *gal* |
| Application event totals | | 0.00 | 0.00 | 0.00 | 38.21 | |

| Application date | Application method | Precipitation 24 hours prior | Precipitation during application | Precipitation 24 hours following |
|---|---|---|---|---|
| 07/07/2023 | Surface (irrigation) | No precipitation | No precipitation | No precipitation |

| Source description | Material type | N (lbs/acre) | P (lbs/acre) | K (lbs/acre) | Salt (lbs/acre) | Amount |
|---|---|---|---|---|---|---|
| TID Lateral 4 | Ground water | 0.00 | 0.00 | 0.00 | 37.44 | 19,845,000.00 *gal* |
| Application event totals | | 0.00 | 0.00 | 0.00 | 37.44 | |

| Application date | Application method | Precipitation 24 hours prior | Precipitation during application | Precipitation 24 hours following |
|---|---|---|---|---|
| 07/18/2023 | Surface (irrigation) | No precipitation | No precipitation | No precipitation |

| Source description | Material type | N (lbs/acre) | P (lbs/acre) | K (lbs/acre) | Salt (lbs/acre) | Amount |
|---|---|---|---|---|---|---|
| TID Lateral 4 | Ground water | 0.00 | 0.00 | 0.00 | 36.68 | 19,440,000.00 *gal* |
| Application event totals | | 0.00 | 0.00 | 0.00 | 36.68 | |

| Application date | Application method | Precipitation 24 hours prior | Precipitation during application | Precipitation 24 hours following |
|---|---|---|---|---|
| 07/29/2023 | Surface (irrigation) | No precipitation | No precipitation | No precipitation |

| Source description | Material type | N (lbs/acre) | P (lbs/acre) | K (lbs/acre) | Salt (lbs/acre) | Amount |
|---|---|---|---|---|---|---|
| TID Lateral 4 | Ground water | 0.00 | 0.00 | 0.00 | 36.68 | 19,440,000.00 *gal* |
| Application event totals | | 0.00 | 0.00 | 0.00 | 36.68 | |

| Application date | Application method | Precipitation 24 hours prior | Precipitation during application | Precipitation 24 hours following |
|---|---|---|---|---|
| 08/09/2023 | Surface (irrigation) | No precipitation | No precipitation | No precipitation |

| Source description | Material type | N (lbs/acre) | P (lbs/acre) | K (lbs/acre) | Salt (lbs/acre) | Amount |
|---|---|---|---|---|---|---|
| TID Lateral 4 | Ground water | 0.00 | 0.00 | 0.00 | 35.15 | 18,630,000.00 *gal* |
| Application event totals | | 0.00 | 0.00 | 0.00 | 35.15 | |

## 30 Borba - 05/29/2023: Corn, silage

| Application date | Application method | Precipitation 24 hours prior | Precipitation during application | Precipitation 24 hours following |
|---|---|---|---|---|
| 08/20/2023 | Surface (irrigation) | No precipitation | No precipitation | No precipitation |

| Source description | Material type | N (lbs/acre) | P (lbs/acre) | K (lbs/acre) | Salt (lbs/acre) | Amount |
|---|---|---|---|---|---|---|
| TID Lateral 4 | Ground water | 0.00 | 0.00 | 0.00 | 35.15 | 18,630,000.00 *gal* |
| Application event totals | | 0.00 | 0.00 | 0.00 | 35.15 | |

## 31 Costco - 02/01/2011: Almond Field Run

Field name: 31 Costco

Crop: Almond Field Run

Plant date: 02/01/2011

| Application date | Application method | Precipitation 24 hours prior | Precipitation during application | Precipitation 24 hours following |
|---|---|---|---|---|
| 11/26/2022 | Broadcast/incorporate | No precipitation | No precipitation | No precipitation |

| Source description | Material type | N (lbs/acre) | P (lbs/acre) | K (lbs/acre) | Salt (lbs/acre) | Amount |
|---|---|---|---|---|---|---|
| Compost | Compost | 75.00 | 26.55 | 146.89 | 1,191.90 | 40.00 *ton* |
| Application event totals | | 75.00 | 26.55 | 146.89 | 1,191.90 | |

| | | | | |
|---|---|---|---|---|
| 04/01/2023 | Surface (irrigation) | No precipitation | No precipitation | No precipitation |

| Source description | Material type | N (lbs/acre) | P (lbs/acre) | K (lbs/acre) | Salt (lbs/acre) | Amount |
|---|---|---|---|---|---|---|
| TID Ceres Main | Ground water | 0.00 | 0.00 | 0.00 | 11.83 | 2,362,564.00 *gal* |
| Application event totals | | 0.00 | 0.00 | 0.00 | 11.83 | |

| | | | | |
|---|---|---|---|---|
| 05/01/2023 | Surface (irrigation) | No precipitation | No precipitation | No precipitation |

| Source description | Material type | N (lbs/acre) | P (lbs/acre) | K (lbs/acre) | Salt (lbs/acre) | Amount |
|---|---|---|---|---|---|---|
| TID Ceres Main | Ground water | 0.00 | 0.00 | 0.00 | 23.66 | 4,725,128.00 *gal* |
| Application event totals | | 0.00 | 0.00 | 0.00 | 23.66 | |

| | | | | |
|---|---|---|---|---|
| 05/03/2023 | Sidedress | No precipitation | No precipitation | No precipitation |

| Source description | Material type | N (lbs/acre) | P (lbs/acre) | K (lbs/acre) | Salt (lbs/acre) | Amount |
|---|---|---|---|---|---|---|
| UN 32 | Solid commercial fertilizer | 36.80 | 0.00 | 0.00 | 0.00 | |
| Application event totals | | 36.80 | 0.00 | 0.00 | 0.00 | |

## 31 Costco - 02/01/2011: Almond Field Run

| Application date | Application method | Precipitation 24 hours prior | Precipitation during application | Precipitation 24 hours following |
|---|---|---|---|---|
| 06/01/2023 | Surface (irrigation) | No precipitation | No precipitation | No precipitation |

| Source description | Material type | N (lbs/acre) | P (lbs/acre) | K (lbs/acre) | Salt (lbs/acre) | Amount |
|---|---|---|---|---|---|---|
| TID Ceres Main | Ground water | 0.00 | 0.00 | 0.00 | 23.66 | 4,725,128.00 *gal* |
| Application event totals | | 0.00 | 0.00 | 0.00 | 23.66 | |

| Application date | Application method | Precipitation 24 hours prior | Precipitation during application | Precipitation 24 hours following |
|---|---|---|---|---|
| 07/01/2023 | Surface (irrigation) | No precipitation | No precipitation | No precipitation |

| Source description | Material type | N (lbs/acre) | P (lbs/acre) | K (lbs/acre) | Salt (lbs/acre) | Amount |
|---|---|---|---|---|---|---|
| TID Ceres Main | Ground water | 0.00 | 0.00 | 0.00 | 23.66 | 4,725,128.00 *gal* |
| Application event totals | | 0.00 | 0.00 | 0.00 | 23.66 | |

| Application date | Application method | Precipitation 24 hours prior | Precipitation during application | Precipitation 24 hours following |
|---|---|---|---|---|
| 08/01/2023 | Surface (irrigation) | No precipitation | No precipitation | No precipitation |

| Source description | Material type | N (lbs/acre) | P (lbs/acre) | K (lbs/acre) | Salt (lbs/acre) | Amount |
|---|---|---|---|---|---|---|
| TID Ceres Main | Ground water | 0.00 | 0.00 | 0.00 | 23.66 | 4,725,128.00 *gal* |
| Application event totals | | 0.00 | 0.00 | 0.00 | 23.66 | |

| Application date | Application method | Precipitation 24 hours prior | Precipitation during application | Precipitation 24 hours following |
|---|---|---|---|---|
| 09/01/2023 | Surface (irrigation) | No precipitation | No precipitation | No precipitation |

| Source description | Material type | N (lbs/acre) | P (lbs/acre) | K (lbs/acre) | Salt (lbs/acre) | Amount |
|---|---|---|---|---|---|---|
| TID Ceres Main | Ground water | 0.00 | 0.00 | 0.00 | 11.83 | 2,362,564.00 *gal* |
| Application event totals | | 0.00 | 0.00 | 0.00 | 11.83 | |

## 32 Trio - 10/24/2019: Almond Field Run

Field name: 32 Trio

Crop: Almond Field Run

Plant date: 10/24/2019

| Application date | Application method | Precipitation 24 hours prior | Precipitation during application | Precipitation 24 hours following |
|---|---|---|---|---|
| 11/24/2022 | Broadcast/incorporate | No precipitation | No precipitation | No precipitation |

| Source description | Material type | N (lbs/acre) | P (lbs/acre) | K (lbs/acre) | Salt (lbs/acre) | Amount |
|---|---|---|---|---|---|---|
| Compost | Compost | 60.81 | 21.52 | 119.10 | 966.40 | 60.00 *ton* |
| Application event totals | | 60.81 | 21.52 | 119.10 | 966.40 | |

## 32 Trio - 10/24/2019: Almond Field Run

| Application date | Application method | Precipitation 24 hours prior | Precipitation during application | Precipitation 24 hours following |
|---|---|---|---|---|
| 04/01/2023 | Surface (irrigation) | No precipitation | No precipitation | No precipitation |

| Source description | Material type | N (lbs/acre) | P (lbs/acre) | K (lbs/acre) | Salt (lbs/acre) | Amount |
|---|---|---|---|---|---|---|
| TID Lateral 3 | Ground water | 0.00 | 0.00 | 0.00 | 26.61 | 4,369,591.00 *gal* |
| Application event totals | | 0.00 | 0.00 | 0.00 | 26.61 | |

| Application date | Application method | Precipitation 24 hours prior | Precipitation during application | Precipitation 24 hours following |
|---|---|---|---|---|
| 05/01/2023 | Surface (irrigation) | No precipitation | No precipitation | No precipitation |

| Source description | Material type | N (lbs/acre) | P (lbs/acre) | K (lbs/acre) | Salt (lbs/acre) | Amount |
|---|---|---|---|---|---|---|
| TID Lateral 3 | Ground water | 0.00 | 0.00 | 0.00 | 54.44 | 8,939,182.00 *gal* |
| Application event totals | | 0.00 | 0.00 | 0.00 | 54.44 | |

| Application date | Application method | Precipitation 24 hours prior | Precipitation during application | Precipitation 24 hours following |
|---|---|---|---|---|
| 04/30/2023 | Sidedress | No precipitation | No precipitation | No precipitation |

| Source description | Material type | N (lbs/acre) | P (lbs/acre) | K (lbs/acre) | Salt (lbs/acre) | Amount |
|---|---|---|---|---|---|---|
| UN 32 | Solid commercial fertilizer | 36.80 | 0.00 | 0.00 | 0.00 | |
| Application event totals | | 36.80 | 0.00 | 0.00 | 0.00 | |

| Application date | Application method | Precipitation 24 hours prior | Precipitation during application | Precipitation 24 hours following |
|---|---|---|---|---|
| 06/01/2023 | Surface (irrigation) | No precipitation | No precipitation | No precipitation |

| Source description | Material type | N (lbs/acre) | P (lbs/acre) | K (lbs/acre) | Salt (lbs/acre) | Amount |
|---|---|---|---|---|---|---|
| TID Lateral 3 | Ground water | 0.00 | 0.00 | 0.00 | 53.22 | 8,739,182.00 *gal* |
| Application event totals | | 0.00 | 0.00 | 0.00 | 53.22 | |

| Application date | Application method | Precipitation 24 hours prior | Precipitation during application | Precipitation 24 hours following |
|---|---|---|---|---|
| 07/01/2023 | Surface (irrigation) | No precipitation | No precipitation | No precipitation |

| Source description | Material type | N (lbs/acre) | P (lbs/acre) | K (lbs/acre) | Salt (lbs/acre) | Amount |
|---|---|---|---|---|---|---|
| TID Lateral 3 | Ground water | 0.00 | 0.00 | 0.00 | 53.22 | 8,739,182.00 *gal* |
| Application event totals | | 0.00 | 0.00 | 0.00 | 53.22 | |

| Application date | Application method | Precipitation 24 hours prior | Precipitation during application | Precipitation 24 hours following |
|---|---|---|---|---|
| 08/01/2023 | Surface (irrigation) | No precipitation | No precipitation | No precipitation |

| Source description | Material type | N (lbs/acre) | P (lbs/acre) | K (lbs/acre) | Salt (lbs/acre) | Amount |
|---|---|---|---|---|---|---|
| TID Lateral 3 | Ground water | 0.00 | 0.00 | 0.00 | 53.22 | 8,739,182.00 *gal* |
| Application event totals | | 0.00 | 0.00 | 0.00 | 53.22 | |

## 32 Trio - 10/24/2019: Almond Field Run

| Application date | Application method | Precipitation 24 hours prior | Precipitation during application | Precipitation 24 hours following |
|---|---|---|---|---|
| 09/01/2023 | Surface (irrigation) | No precipitation | No precipitation | No precipitation |

| Source description | Material type | N (lbs/acre) | P (lbs/acre) | K (lbs/acre) | Salt (lbs/acre) | Amount |
|---|---|---|---|---|---|---|
| TID Lateral 3 | Ground water | 0.00 | 0.00 | 0.00 | 26.61 | 4,369,591.00 *gal* |
| Application event totals | | 0.00 | 0.00 | 0.00 | 26.61 | |

## 4 Berryhill North - 02/01/2016: Almond Field Run

Field name: 4 Berryhill North

Crop: Almond Field Run

Plant date: 02/01/2016

| Application date | Application method | Precipitation 24 hours prior | Precipitation during application | Precipitation 24 hours following |
|---|---|---|---|---|
| 11/22/2022 | Broadcast/incorporate | No precipitation | No precipitation | No precipitation |

| Source description | Material type | N (lbs/acre) | P (lbs/acre) | K (lbs/acre) | Salt (lbs/acre) | Amount |
|---|---|---|---|---|---|---|
| Compost | Compost | 69.08 | 24.45 | 135.29 | 1,097.80 | 70.00 *ton* |
| Application event totals | | 69.08 | 24.45 | 135.29 | 1,097.80 | |

| | | | | |
|---|---|---|---|---|
| 04/01/2023 | Surface (irrigation) | No precipitation | No precipitation | No precipitation |

| Source description | Material type | N (lbs/acre) | P (lbs/acre) | K (lbs/acre) | Salt (lbs/acre) | Amount |
|---|---|---|---|---|---|---|
| TID Lateral 3 | Ground water | 0.00 | 0.00 | 0.00 | 25.06 | 4,226,293.00 *gal* |
| Application event totals | | 0.00 | 0.00 | 0.00 | 25.06 | |

| | | | | |
|---|---|---|---|---|
| 04/17/2023 | Sidedress | No precipitation | No precipitation | No precipitation |

| Source description | Material type | N (lbs/acre) | P (lbs/acre) | K (lbs/acre) | Salt (lbs/acre) | Amount |
|---|---|---|---|---|---|---|
| UN 32 | Solid commercial fertilizer | 36.80 | 0.00 | 0.00 | 0.00 | |
| Application event totals | | 36.80 | 0.00 | 0.00 | 0.00 | |

| | | | | |
|---|---|---|---|---|
| 05/01/2023 | Surface (irrigation) | No precipitation | No precipitation | No precipitation |

| Source description | Material type | N (lbs/acre) | P (lbs/acre) | K (lbs/acre) | Salt (lbs/acre) | Amount |
|---|---|---|---|---|---|---|
| TID Lateral 3 | Ground water | 0.00 | 0.00 | 0.00 | 50.12 | 8,452,586.00 *gal* |
| Application event totals | | 0.00 | 0.00 | 0.00 | 50.12 | |

## 4 Berryhill North - 02/01/2016: Almond Field Run

| Application date | Application method | Precipitation 24 hours prior | Precipitation during application | Precipitation 24 hours following |
|---|---|---|---|---|
| 06/01/2023 | Surface (irrigation) | No precipitation | No precipitation | No precipitation |

| Source description | Material type | N (lbs/acre) | P (lbs/acre) | K (lbs/acre) | Salt (lbs/acre) | Amount |
|---|---|---|---|---|---|---|
| TID Lateral 3 | Ground water | 0.00 | 0.00 | 0.00 | 50.12 | 8,452,586.00 *gal* |
| Application event totals | | 0.00 | 0.00 | 0.00 | 50.12 | |

| Application date | Application method | Precipitation 24 hours prior | Precipitation during application | Precipitation 24 hours following |
|---|---|---|---|---|
| 07/01/2023 | Surface (irrigation) | No precipitation | No precipitation | No precipitation |

| Source description | Material type | N (lbs/acre) | P (lbs/acre) | K (lbs/acre) | Salt (lbs/acre) | Amount |
|---|---|---|---|---|---|---|
| TID Lateral 3 | Ground water | 0.00 | 0.00 | 0.00 | 50.12 | 8,452,586.00 *gal* |
| Application event totals | | 0.00 | 0.00 | 0.00 | 50.12 | |

| Application date | Application method | Precipitation 24 hours prior | Precipitation during application | Precipitation 24 hours following |
|---|---|---|---|---|
| 08/01/2023 | Surface (irrigation) | No precipitation | No precipitation | No precipitation |

| Source description | Material type | N (lbs/acre) | P (lbs/acre) | K (lbs/acre) | Salt (lbs/acre) | Amount |
|---|---|---|---|---|---|---|
| TID Lateral 3 | Ground water | 0.00 | 0.00 | 0.00 | 50.12 | 8,452,586.00 *gal* |
| Application event totals | | 0.00 | 0.00 | 0.00 | 50.12 | |

| Application date | Application method | Precipitation 24 hours prior | Precipitation during application | Precipitation 24 hours following |
|---|---|---|---|---|
| 09/01/2023 | Surface (irrigation) | No precipitation | No precipitation | No precipitation |

| Source description | Material type | N (lbs/acre) | P (lbs/acre) | K (lbs/acre) | Salt (lbs/acre) | Amount |
|---|---|---|---|---|---|---|
| TID Lateral 3 | Ground water | 0.00 | 0.00 | 0.00 | 25.06 | 4,226,293.00 *gal* |
| Application event totals | | 0.00 | 0.00 | 0.00 | 25.06 | |

## 5 Berryhill - 02/01/2011: Almond Field Run

Field name: 5 Berryhill

Crop: Almond Field Run

Plant date: 02/01/2011

| Application date | Application method | Precipitation 24 hours prior | Precipitation during application | Precipitation 24 hours following |
|---|---|---|---|---|
| 11/22/2022 | Broadcast/incorporate | No precipitation | No precipitation | No precipitation |

| Source description | Material type | N (lbs/acre) | P (lbs/acre) | K (lbs/acre) | Salt (lbs/acre) | Amount |
|---|---|---|---|---|---|---|
| Compost | Compost | 76.09 | 26.93 | 149.02 | 1,209.17 | 140.00 *ton* |
| Application event totals | | 76.09 | 26.93 | 149.02 | 1,209.17 | |

## 5 Berryhill - 02/01/2011: Almond Field Run

| Application date | Application method | Precipitation 24 hours prior | Precipitation during application | Precipitation 24 hours following |
|---|---|---|---|---|
| 04/01/2023 | Surface (irrigation) | No precipitation | No precipitation | No precipitation |

| Source description | Material type | N (lbs/acre) | P (lbs/acre) | K (lbs/acre) | Salt (lbs/acre) | Amount |
|---|---|---|---|---|---|---|
| TID Lateral 3 | Ground water | 0.00 | 0.00 | 0.00 | 24.38 | 7,466,296.00 *gal* |
| Application event totals | | 0.00 | 0.00 | 0.00 | 24.38 | |

| Application date | Application method | Precipitation 24 hours prior | Precipitation during application | Precipitation 24 hours following |
|---|---|---|---|---|
| 04/17/2023 | Sidedress | No precipitation | No precipitation | No precipitation |

| Source description | Material type | N (lbs/acre) | P (lbs/acre) | K (lbs/acre) | Salt (lbs/acre) | Amount |
|---|---|---|---|---|---|---|
| UN 32 | Solid commercial fertilizer | 36.80 | 0.00 | 0.00 | 0.00 | |
| Application event totals | | 36.80 | 0.00 | 0.00 | 0.00 | |

| Application date | Application method | Precipitation 24 hours prior | Precipitation during application | Precipitation 24 hours following |
|---|---|---|---|---|
| 05/01/2023 | Surface (irrigation) | No precipitation | No precipitation | No precipitation |

| Source description | Material type | N (lbs/acre) | P (lbs/acre) | K (lbs/acre) | Salt (lbs/acre) | Amount |
|---|---|---|---|---|---|---|
| TID Lateral 3 | Ground water | 0.00 | 0.00 | 0.00 | 48.76 | 14,932,592.00 *gal* |
| Application event totals | | 0.00 | 0.00 | 0.00 | 48.76 | |

| Application date | Application method | Precipitation 24 hours prior | Precipitation during application | Precipitation 24 hours following |
|---|---|---|---|---|
| 06/01/2023 | Surface (irrigation) | No precipitation | No precipitation | No precipitation |

| Source description | Material type | N (lbs/acre) | P (lbs/acre) | K (lbs/acre) | Salt (lbs/acre) | Amount |
|---|---|---|---|---|---|---|
| TID Lateral 3 | Ground water | 0.00 | 0.00 | 0.00 | 48.76 | 14,932,592.00 *gal* |
| Application event totals | | 0.00 | 0.00 | 0.00 | 48.76 | |

| Application date | Application method | Precipitation 24 hours prior | Precipitation during application | Precipitation 24 hours following |
|---|---|---|---|---|
| 07/01/2023 | Surface (irrigation) | No precipitation | No precipitation | No precipitation |

| Source description | Material type | N (lbs/acre) | P (lbs/acre) | K (lbs/acre) | Salt (lbs/acre) | Amount |
|---|---|---|---|---|---|---|
| TID Lateral 3 | Ground water | 0.00 | 0.00 | 0.00 | 48.76 | 14,932,592.00 *gal* |
| Application event totals | | 0.00 | 0.00 | 0.00 | 48.76 | |

| Application date | Application method | Precipitation 24 hours prior | Precipitation during application | Precipitation 24 hours following |
|---|---|---|---|---|
| 08/01/2023 | Surface (irrigation) | No precipitation | No precipitation | No precipitation |

| Source description | Material type | N (lbs/acre) | P (lbs/acre) | K (lbs/acre) | Salt (lbs/acre) | Amount |
|---|---|---|---|---|---|---|
| TID Lateral 3 | Ground water | 0.00 | 0.00 | 0.00 | 48.76 | 14,932,592.00 *gal* |
| Application event totals | | 0.00 | 0.00 | 0.00 | 48.76 | |

## 5 Berryhill - 02/01/2011: Almond Field Run

| Application date | Application method | Precipitation 24 hours prior | Precipitation during application | Precipitation 24 hours following |
|---|---|---|---|---|
| 09/01/2023 | Surface (irrigation) | No precipitation | No precipitation | No precipitation |

| Source description | Material type | N (lbs/acre) | P (lbs/acre) | K (lbs/acre) | Salt (lbs/acre) | Amount |
|---|---|---|---|---|---|---|
| TID Lateral 3 | Ground water | 0.00 | 0.00 | 0.00 | 24.38 | 7,466,296.00 *gal* |
| Application event totals | | 0.00 | 0.00 | 0.00 | 24.38 | |

## 6 Drake-Roberts A - 11/02/2022: Oats, silage-soft dough

Field name: 6 Drake-Roberts A

Crop: Oats, silage-soft dough

Plant date: 11/02/2022

| Application date | Application method | Precipitation 24 hours prior | Precipitation during application | Precipitation 24 hours following |
|---|---|---|---|---|
| 10/15/2022 | Surface (irrigation) | No precipitation | No precipitation | No precipitation |

| Source description | Material type | N (lbs/acre) | P (lbs/acre) | K (lbs/acre) | Salt (lbs/acre) | Amount |
|---|---|---|---|---|---|---|
| WWS | Process wastewater | 51.79 | 6.61 | 47.13 | 624.98 | 248,262.00 *gal* |
| TID Lateral 3 | Ground water | 0.00 | 0.00 | 0.00 | 0.00 | 2,025,000.00 *gal* |
| Application event totals | | 51.79 | 6.61 | 47.13 | 624.98 | |

| | | | | |
|---|---|---|---|---|
| 02/12/2023 | Surface (irrigation) | No precipitation | No precipitation | No precipitation |

| Source description | Material type | N (lbs/acre) | P (lbs/acre) | K (lbs/acre) | Salt (lbs/acre) | Amount |
|---|---|---|---|---|---|---|
| WWS | Process wastewater | 42.61 | 4.02 | 73.52 | 424.56 | 112,226.00 *gal* |
| IW- Berryhill W | Ground water | 16.04 | 0.00 | 0.00 | 228.32 | 864,000.00 *gal* |
| Application event totals | | 58.65 | 4.02 | 73.52 | 652.88 | |

| | | | | |
|---|---|---|---|---|
| 04/10/2023 | Surface (irrigation) | No precipitation | No precipitation | No precipitation |

| Source description | Material type | N (lbs/acre) | P (lbs/acre) | K (lbs/acre) | Salt (lbs/acre) | Amount |
|---|---|---|---|---|---|---|
| WWS | Process wastewater | 84.08 | 7.93 | 145.07 | 837.74 | 221,446.00 *gal* |
| TID Lateral 3 | Ground water | 0.00 | 0.00 | 0.00 | 34.22 | 1,822,500.00 *gal* |
| Application event totals | | 84.08 | 7.93 | 145.07 | 871.96 | |

## 6 Drake-Roberts A - 06/04/2023: Corn, silage

## 6 Drake-Roberts A - 06/04/2023: Corn, silage

Field name: 6 Drake-Roberts A

Crop: Corn, silage

Plant date: 06/04/2023

| Application date | Application method | Precipitation 24 hours prior | Precipitation during application | Precipitation 24 hours following |
|---|---|---|---|---|
| 05/25/2023 | Surface (irrigation) | No precipitation | No precipitation | No precipitation |

| Source description | Material type | N (lbs/acre) | P (lbs/acre) | K (lbs/acre) | Salt (lbs/acre) | Amount |
|---|---|---|---|---|---|---|
| WWS | Process wastewater | 207.88 | 5.81 | 163.22 | 634.42 | 221,429.00 *gal* |
| TID Lateral 3 | Ground water | 0.00 | 0.00 | 0.00 | 41.82 | 2,227,500.00 *gal* |
| Application event totals | | 207.88 | 5.81 | 163.22 | 676.24 | |

| | | | | |
|---|---|---|---|---|
| 07/05/2023 | Surface (irrigation) | No precipitation | No precipitation | No precipitation |

| Source description | Material type | N (lbs/acre) | P (lbs/acre) | K (lbs/acre) | Salt (lbs/acre) | Amount |
|---|---|---|---|---|---|---|
| TID Lateral 3 | Ground water | 0.00 | 0.00 | 0.00 | 38.02 | 2,025,000.00 *gal* |
| Application event totals | | 0.00 | 0.00 | 0.00 | 38.02 | |

| | | | | |
|---|---|---|---|---|
| 07/16/2023 | Surface (irrigation) | No precipitation | No precipitation | No precipitation |

| Source description | Material type | N (lbs/acre) | P (lbs/acre) | K (lbs/acre) | Salt (lbs/acre) | Amount |
|---|---|---|---|---|---|---|
| WWS | Process wastewater | 100.77 | 4.34 | 101.20 | 1,078.52 | 207,896.00 *gal* |
| TID Lateral 3 | Ground water | 0.00 | 0.00 | 0.00 | 36.12 | 1,923,750.00 *gal* |
| Application event totals | | 100.77 | 4.34 | 101.20 | 1,114.65 | |

| | | | | |
|---|---|---|---|---|
| 07/27/2023 | Surface (irrigation) | No precipitation | No precipitation | No precipitation |

| Source description | Material type | N (lbs/acre) | P (lbs/acre) | K (lbs/acre) | Salt (lbs/acre) | Amount |
|---|---|---|---|---|---|---|
| TID Lateral 3 | Ground water | 0.00 | 0.00 | 0.00 | 34.22 | 1,822,500.00 *gal* |
| Application event totals | | 0.00 | 0.00 | 0.00 | 34.22 | |

| | | | | |
|---|---|---|---|---|
| 08/07/2023 | Surface (irrigation) | No precipitation | No precipitation | No precipitation |

| Source description | Material type | N (lbs/acre) | P (lbs/acre) | K (lbs/acre) | Salt (lbs/acre) | Amount |
|---|---|---|---|---|---|---|
| TID Lateral 3 | Ground water | 0.00 | 0.00 | 0.00 | 30.42 | 1,620,000.00 *gal* |
| Application event totals | | 0.00 | 0.00 | 0.00 | 30.42 | |

## 6 Drake-Roberts A - 06/04/2023: Corn, silage

| Application date | Application method | Precipitation 24 hours prior | Precipitation during application | Precipitation 24 hours following |
|---|---|---|---|---|
| 08/18/2023 | Surface (irrigation) | No precipitation | No precipitation | No precipitation |

| Source description | Material type | N (lbs/acre) | P (lbs/acre) | K (lbs/acre) | Salt (lbs/acre) | Amount |
|---|---|---|---|---|---|---|
| TID Lateral 3 | Ground water | 0.00 | 0.00 | 0.00 | 30.42 | 1,620,000.00 *gal* |
| Application event totals | | 0.00 | 0.00 | 0.00 | 30.42 | |

| | | | | |
|---|---|---|---|---|
| 08/29/2023 | Surface (irrigation) | No precipitation | No precipitation | No precipitation |

| Source description | Material type | N (lbs/acre) | P (lbs/acre) | K (lbs/acre) | Salt (lbs/acre) | Amount |
|---|---|---|---|---|---|---|
| TID Lateral 3 | Ground water | 0.00 | 0.00 | 0.00 | 30.42 | 1,620,000.00 *gal* |
| Application event totals | | 0.00 | 0.00 | 0.00 | 30.42 | |

## 6 Drake-Roberts B - 02/01/1995: Almond Field Run

Field name: 6 Drake-Roberts B

Crop: Almond Field Run

Plant date: 02/01/1995

| Application date | Application method | Precipitation 24 hours prior | Precipitation during application | Precipitation 24 hours following |
|---|---|---|---|---|
| 10/21/2022 | Surface (irrigation) | No precipitation | No precipitation | No precipitation |

| Source description | Material type | N (lbs/acre) | P (lbs/acre) | K (lbs/acre) | Salt (lbs/acre) | Amount |
|---|---|---|---|---|---|---|
| WWS | Process wastewater | 63.23 | 8.07 | 57.54 | 762.96 | 606,148.00 *gal* |
| TID Lateral 3 | Ground water | 0.00 | 0.00 | 0.00 | 0.00 | 3,645,000.00 *gal* |
| Application event totals | | 63.23 | 8.07 | 57.54 | 762.96 | |

| | | | | |
|---|---|---|---|---|
| 04/16/2023 | Surface (irrigation) | No precipitation | No precipitation | No precipitation |

| Source description | Material type | N (lbs/acre) | P (lbs/acre) | K (lbs/acre) | Salt (lbs/acre) | Amount |
|---|---|---|---|---|---|---|
| UN 32 | Solid commercial fertilizer | 36.80 | 0.00 | 0.00 | 0.00 | |
| TID Lateral 3 | Ground water | 0.00 | 0.00 | 0.00 | 30.42 | 3,240,000.00 *gal* |
| Application event totals | | 36.80 | 0.00 | 0.00 | 30.42 | |

## 6 Drake-Roberts B - 02/01/1995: Almond Field Run

| Application date | Application method | Precipitation 24 hours prior | Precipitation during application | Precipitation 24 hours following |
|---|---|---|---|---|
| 05/07/2023 | Surface (irrigation) | No precipitation | No precipitation | No precipitation |

| Source description | Material type | N (lbs/acre) | P (lbs/acre) | K (lbs/acre) | Salt (lbs/acre) | Amount |
|---|---|---|---|---|---|---|
| TID Lateral 3 | Ground water | 0.00 | 0.00 | 0.00 | 30.42 | 3,240,000.00 *gal* |
| Application event totals | | 0.00 | 0.00 | 0.00 | 30.42 | |

| | | | | |
|---|---|---|---|---|
| 05/28/2023 | Surface (irrigation) | No precipitation | No precipitation | No precipitation |

| Source description | Material type | N (lbs/acre) | P (lbs/acre) | K (lbs/acre) | Salt (lbs/acre) | Amount |
|---|---|---|---|---|---|---|
| TID Lateral 3 | Ground water | 0.00 | 0.00 | 0.00 | 28.52 | 3,037,500.00 *gal* |
| Application event totals | | 0.00 | 0.00 | 0.00 | 28.52 | |

| | | | | |
|---|---|---|---|---|
| 06/19/2023 | Surface (irrigation) | No precipitation | No precipitation | No precipitation |

| Source description | Material type | N (lbs/acre) | P (lbs/acre) | K (lbs/acre) | Salt (lbs/acre) | Amount |
|---|---|---|---|---|---|---|
| TID Lateral 3 | Ground water | 0.00 | 0.00 | 0.00 | 26.62 | 2,835,000.00 *gal* |
| Application event totals | | 0.00 | 0.00 | 0.00 | 26.62 | |

| | | | | |
|---|---|---|---|---|
| 07/10/2023 | Surface (irrigation) | No precipitation | No precipitation | No precipitation |

| Source description | Material type | N (lbs/acre) | P (lbs/acre) | K (lbs/acre) | Salt (lbs/acre) | Amount |
|---|---|---|---|---|---|---|
| TID Lateral 3 | Ground water | 0.00 | 0.00 | 0.00 | 26.62 | 2,835,000.00 *gal* |
| Application event totals | | 0.00 | 0.00 | 0.00 | 26.62 | |

| | | | | |
|---|---|---|---|---|
| 07/31/2023 | Surface (irrigation) | No precipitation | No precipitation | No precipitation |

| Source description | Material type | N (lbs/acre) | P (lbs/acre) | K (lbs/acre) | Salt (lbs/acre) | Amount |
|---|---|---|---|---|---|---|
| TID Lateral 3 | Ground water | 0.00 | 0.00 | 0.00 | 26.62 | 2,835,000.00 *gal* |
| Application event totals | | 0.00 | 0.00 | 0.00 | 26.62 | |

| | | | | |
|---|---|---|---|---|
| 08/21/2023 | Surface (irrigation) | No precipitation | No precipitation | No precipitation |

| Source description | Material type | N (lbs/acre) | P (lbs/acre) | K (lbs/acre) | Salt (lbs/acre) | Amount |
|---|---|---|---|---|---|---|
| TID Lateral 3 | Ground water | 0.00 | 0.00 | 0.00 | 26.62 | 2,835,000.00 *gal* |
| Application event totals | | 0.00 | 0.00 | 0.00 | 26.62 | |

## 7 Kilber - 11/01/2022: Oats, silage-soft dough

## 7 Kilber - 11/01/2022: Oats, silage-soft dough

Field name: 7 Kilber

Crop: Oats, silage-soft dough

Plant date: 11/01/2022

| Application date | Application method | Precipitation 24 hours prior | Precipitation during application | Precipitation 24 hours following |
|---|---|---|---|---|
| 10/14/2022 | Surface (irrigation) | No precipitation | No precipitation | No precipitation |

| Source description | Material type | N (lbs/acre) | P (lbs/acre) | K (lbs/acre) | Salt (lbs/acre) | Amount |
|---|---|---|---|---|---|---|
| WWS | Process wastewater | 51.95 | 6.63 | 47.28 | 626.89 | 788,566.00 *gal* |
| TID Lateral 3 | Ground water | 0.00 | 0.00 | 0.00 | 0.00 | 6,480,000.00 *gal* |
| Application event totals | | 51.95 | 6.63 | 47.28 | 626.89 | |

| Application date | Application method | Precipitation 24 hours prior | Precipitation during application | Precipitation 24 hours following |
|---|---|---|---|---|
| 02/13/2023 | Surface (irrigation) | No precipitation | No precipitation | No precipitation |

| Source description | Material type | N (lbs/acre) | P (lbs/acre) | K (lbs/acre) | Salt (lbs/acre) | Amount |
|---|---|---|---|---|---|---|
| WWS | Process wastewater | 61.90 | 5.84 | 106.80 | 616.76 | 516,266.00 *gal* |
| IW- Berryhill W | Ground water | 15.20 | 0.00 | 0.00 | 216.30 | 2,592,000.00 *gal* |
| Application event totals | | 77.10 | 5.84 | 106.80 | 833.06 | |

| Application date | Application method | Precipitation 24 hours prior | Precipitation during application | Precipitation 24 hours following |
|---|---|---|---|---|
| 04/09/2023 | Surface (irrigation) | No precipitation | No precipitation | No precipitation |

| Source description | Material type | N (lbs/acre) | P (lbs/acre) | K (lbs/acre) | Salt (lbs/acre) | Amount |
|---|---|---|---|---|---|---|
| WWS | Process wastewater | 91.88 | 8.67 | 158.52 | 915.42 | 766,266.00 *gal* |
| TID Lateral 3 | Ground water | 0.00 | 0.00 | 0.00 | 36.02 | 6,075,000.00 *gal* |
| Application event totals | | 91.88 | 8.67 | 158.52 | 951.44 | |

## 7 Kilber - 06/02/2023: Corn, silage

Field name: 7 Kilber

Crop: Corn, silage

Plant date: 06/02/2023

| Application date | Application method | Precipitation 24 hours prior | Precipitation during application | Precipitation 24 hours following |
|---|---|---|---|---|
| 05/23/2023 | Surface (irrigation) | No precipitation | No precipitation | No precipitation |

| Source description | Material type | N (lbs/acre) | P (lbs/acre) | K (lbs/acre) | Salt (lbs/acre) | Amount |
|---|---|---|---|---|---|---|
| WWS | Process wastewater | 210.45 | 5.88 | 165.24 | 642.25 | 709,846.00 *gal* |
| TID Lateral 3 | Ground water | 0.00 | 0.00 | 0.00 | 40.82 | 6,885,000.00 *gal* |
| Application event totals | | 210.45 | 5.88 | 165.24 | 683.07 | |

7 Kilber - 06/02/2023: Corn, silage

| Application date | Application method | Precipitation 24 hours prior | Precipitation during application | Precipitation 24 hours following |
|---|---|---|---|---|
| 07/03/2023 | Surface (irrigation) | No precipitation | No precipitation | No precipitation |

| Source description | Material type | N (lbs/acre) | P (lbs/acre) | K (lbs/acre) | Salt (lbs/acre) | Amount |
|---|---|---|---|---|---|---|
| TID Lateral 3 | Ground water | 0.00 | 0.00 | 0.00 | 38.42 | 6,480,000.00 *gal* |
| Application event totals | | 0.00 | 0.00 | 0.00 | 38.42 | |

| Application date | Application method | Precipitation 24 hours prior | Precipitation during application | Precipitation 24 hours following |
|---|---|---|---|---|
| 07/14/2023 | Surface (irrigation) | No precipitation | No precipitation | No precipitation |

| Source description | Material type | N (lbs/acre) | P (lbs/acre) | K (lbs/acre) | Salt (lbs/acre) | Amount |
|---|---|---|---|---|---|---|
| TID Lateral 3 | Ground water | 0.00 | 0.00 | 0.00 | 36.02 | 6,075,000.00 *gal* |
| Application event totals | | 0.00 | 0.00 | 0.00 | 36.02 | |

| Application date | Application method | Precipitation 24 hours prior | Precipitation during application | Precipitation 24 hours following |
|---|---|---|---|---|
| 07/25/2023 | Surface (irrigation) | No precipitation | No precipitation | No precipitation |

| Source description | Material type | N (lbs/acre) | P (lbs/acre) | K (lbs/acre) | Salt (lbs/acre) | Amount |
|---|---|---|---|---|---|---|
| WWS | Process wastewater | 106.75 | 4.59 | 107.21 | 1,142.56 | 697,423.00 *gal* |
| TID Lateral 3 | Ground water | 0.00 | 0.00 | 0.00 | 33.62 | 5,670,000.00 *gal* |
| Application event totals | | 106.75 | 4.59 | 107.21 | 1,176.18 | |

| Application date | Application method | Precipitation 24 hours prior | Precipitation during application | Precipitation 24 hours following |
|---|---|---|---|---|
| 08/05/2023 | Surface (irrigation) | No precipitation | No precipitation | No precipitation |

| Source description | Material type | N (lbs/acre) | P (lbs/acre) | K (lbs/acre) | Salt (lbs/acre) | Amount |
|---|---|---|---|---|---|---|
| TID Lateral 3 | Ground water | 0.00 | 0.00 | 0.00 | 33.62 | 5,670,000.00 *gal* |
| Application event totals | | 0.00 | 0.00 | 0.00 | 33.62 | |

| Application date | Application method | Precipitation 24 hours prior | Precipitation during application | Precipitation 24 hours following |
|---|---|---|---|---|
| 08/16/2023 | Surface (irrigation) | No precipitation | No precipitation | No precipitation |

| Source description | Material type | N (lbs/acre) | P (lbs/acre) | K (lbs/acre) | Salt (lbs/acre) | Amount |
|---|---|---|---|---|---|---|
| TID Lateral 3 | Ground water | 0.00 | 0.00 | 0.00 | 31.22 | 5,265,000.00 *gal* |
| Application event totals | | 0.00 | 0.00 | 0.00 | 31.22 | |

| Application date | Application method | Precipitation 24 hours prior | Precipitation during application | Precipitation 24 hours following |
|---|---|---|---|---|
| 08/27/2023 | Surface (irrigation) | No precipitation | No precipitation | No precipitation |

| Source description | Material type | N (lbs/acre) | P (lbs/acre) | K (lbs/acre) | Salt (lbs/acre) | Amount |
|---|---|---|---|---|---|---|
| TID Lateral 3 | Ground water | 0.00 | 0.00 | 0.00 | 28.82 | 4,860,000.00 *gal* |
| Application event totals | | 0.00 | 0.00 | 0.00 | 28.82 | |

## 8 Enochs - 11/01/2022: Oats, silage-soft dough

Field name: 8 Enochs

Crop: Oats, silage-soft dough

Plant date: 11/01/2022

| Application date | Application method | Precipitation 24 hours prior | Precipitation during application | Precipitation 24 hours following |
|---|---|---|---|---|
| 10/14/2022 | Surface (irrigation) | No precipitation | No precipitation | No precipitation |

| Source description | Material type | N (lbs/acre) | P (lbs/acre) | K (lbs/acre) | Salt (lbs/acre) | Amount |
|---|---|---|---|---|---|---|
| WWS | Process wastewater | 51.73 | 6.60 | 47.08 | 624.24 | 785,232.00 *gal* |
| TID Lateral 3 | Ground water | 0.00 | 0.00 | 0.00 | 0.00 | 6,075,000.00 *gal* |
| Application event totals | | 51.73 | 6.60 | 47.08 | 624.24 | |

| Application date | Application method | Precipitation 24 hours prior | Precipitation during application | Precipitation 24 hours following |
|---|---|---|---|---|
| 02/14/2023 | Surface (irrigation) | No precipitation | No precipitation | No precipitation |

| Source description | Material type | N (lbs/acre) | P (lbs/acre) | K (lbs/acre) | Salt (lbs/acre) | Amount |
|---|---|---|---|---|---|---|
| WWS | Process wastewater | 67.47 | 6.36 | 116.40 | 672.19 | 562,663.00 *gal* |
| IW- Berryhill W | Ground water | 15.20 | 0.00 | 0.00 | 216.30 | 2,592,000.00 *gal* |
| Application event totals | | 82.66 | 6.36 | 116.40 | 888.49 | |

| Application date | Application method | Precipitation 24 hours prior | Precipitation during application | Precipitation 24 hours following |
|---|---|---|---|---|
| 04/09/2023 | Surface (irrigation) | No precipitation | No precipitation | No precipitation |

| Source description | Material type | N (lbs/acre) | P (lbs/acre) | K (lbs/acre) | Salt (lbs/acre) | Amount |
|---|---|---|---|---|---|---|
| WWS | Process wastewater | 87.01 | 8.21 | 150.12 | 866.91 | 725,662.00 *gal* |
| TID Lateral 3 | Ground water | 0.00 | 0.00 | 0.00 | 33.62 | 5,670,000.00 *gal* |
| Application event totals | | 87.01 | 8.21 | 150.12 | 900.53 | |

## 8 Enochs - 06/02/2023: Corn, silage

Field name: 8 Enochs

Crop: Corn, silage

Plant date: 06/02/2023

| Application date | Application method | Precipitation 24 hours prior | Precipitation during application | Precipitation 24 hours following |
|---|---|---|---|---|
| 05/23/2023 | Surface (irrigation) | No precipitation | No precipitation | No precipitation |

| Source description | Material type | N (lbs/acre) | P (lbs/acre) | K (lbs/acre) | Salt (lbs/acre) | Amount |
|---|---|---|---|---|---|---|
| WWS | Process wastewater | 201.96 | 5.64 | 158.57 | 616.35 | 681,216.00 *gal* |
| TID Lateral 3 | Ground water | 0.00 | 0.00 | 0.00 | 38.42 | 6,480,000.00 *gal* |
| Application event totals | | 201.96 | 5.64 | 158.57 | 654.77 | |

## 8 Enochs - 06/02/2023: Corn, silage

| Application date | Application method | Precipitation 24 hours prior | Precipitation during application | Precipitation 24 hours following |
|---|---|---|---|---|
| 07/03/2023 | Surface (irrigation) | No precipitation | No precipitation | No precipitation |

| Source description | Material type | N (lbs/acre) | P (lbs/acre) | K (lbs/acre) | Salt (lbs/acre) | Amount |
|---|---|---|---|---|---|---|
| TID Lateral 3 | Ground water | 0.00 | 0.00 | 0.00 | 35.42 | 5,973,750.00 *gal* |
| Application event totals | | 0.00 | 0.00 | 0.00 | 35.42 | |

| Application date | Application method | Precipitation 24 hours prior | Precipitation during application | Precipitation 24 hours following |
|---|---|---|---|---|
| 07/14/2023 | Surface (irrigation) | No precipitation | No precipitation | No precipitation |

| Source description | Material type | N (lbs/acre) | P (lbs/acre) | K (lbs/acre) | Salt (lbs/acre) | Amount |
|---|---|---|---|---|---|---|
| TID Lateral 3 | Ground water | 0.00 | 0.00 | 0.00 | 34.82 | 5,872,500.00 *gal* |
| Application event totals | | 0.00 | 0.00 | 0.00 | 34.82 | |

| Application date | Application method | Precipitation 24 hours prior | Precipitation during application | Precipitation 24 hours following |
|---|---|---|---|---|
| 07/25/2023 | Surface (irrigation) | No precipitation | No precipitation | No precipitation |

| Source description | Material type | N (lbs/acre) | P (lbs/acre) | K (lbs/acre) | Salt (lbs/acre) | Amount |
|---|---|---|---|---|---|---|
| WWS | Process wastewater | 100.12 | 4.31 | 100.55 | 1,071.62 | 654,123.00 *gal* |
| TID Lateral 3 | Ground water | 0.00 | 0.00 | 0.00 | 36.02 | 6,075,000.00 *gal* |
| Application event totals | | 100.12 | 4.31 | 100.55 | 1,107.64 | |

| Application date | Application method | Precipitation 24 hours prior | Precipitation during application | Precipitation 24 hours following |
|---|---|---|---|---|
| 08/05/2023 | Surface (irrigation) | No precipitation | No precipitation | No precipitation |

| Source description | Material type | N (lbs/acre) | P (lbs/acre) | K (lbs/acre) | Salt (lbs/acre) | Amount |
|---|---|---|---|---|---|---|
| TID Lateral 3 | Ground water | 0.00 | 0.00 | 0.00 | 36.02 | 6,075,000.00 *gal* |
| Application event totals | | 0.00 | 0.00 | 0.00 | 36.02 | |

| Application date | Application method | Precipitation 24 hours prior | Precipitation during application | Precipitation 24 hours following |
|---|---|---|---|---|
| 08/16/2023 | Surface (irrigation) | No precipitation | No precipitation | No precipitation |

| Source description | Material type | N (lbs/acre) | P (lbs/acre) | K (lbs/acre) | Salt (lbs/acre) | Amount |
|---|---|---|---|---|---|---|
| TID Lateral 3 | Ground water | 0.00 | 0.00 | 0.00 | 33.62 | 5,670,000.00 *gal* |
| Application event totals | | 0.00 | 0.00 | 0.00 | 33.62 | |

| Application date | Application method | Precipitation 24 hours prior | Precipitation during application | Precipitation 24 hours following |
|---|---|---|---|---|
| 08/27/2023 | Surface (irrigation) | No precipitation | No precipitation | No precipitation |

| Source description | Material type | N (lbs/acre) | P (lbs/acre) | K (lbs/acre) | Salt (lbs/acre) | Amount |
|---|---|---|---|---|---|---|
| TID Lateral 3 | Ground water | 0.00 | 0.00 | 0.00 | 31.22 | 5,265,000.00 *gal* |
| Application event totals | | 0.00 | 0.00 | 0.00 | 31.22 | |

## 9 Back 40 - 11/01/2022: Oats, silage-soft dough

Field name: 9 Back 40

Crop: Oats, silage-soft dough

Plant date: 11/01/2022

| Application date | Application method | Precipitation 24 hours prior | Precipitation during application | Precipitation 24 hours following |
|---|---|---|---|---|
| 10/13/2022 | Surface (irrigation) | No precipitation | No precipitation | No precipitation |

| Source description | Material type | N (lbs/acre) | P (lbs/acre) | K (lbs/acre) | Salt (lbs/acre) | Amount |
|---|---|---|---|---|---|---|
| WWS | Process wastewater | 54.26 | 6.93 | 49.38 | 654.78 | 866,999.00 *gal* |
| TID Lateral 3 | Ground water | 0.00 | 0.00 | 0.00 | 0.00 | 7,290,000.00 *gal* |
| Application event totals | | 54.26 | 6.93 | 49.38 | 654.78 | |

| | | | | |
|---|---|---|---|---|
| 02/15/2023 | Surface (irrigation) | No precipitation | No precipitation | No precipitation |

| Source description | Material type | N (lbs/acre) | P (lbs/acre) | K (lbs/acre) | Salt (lbs/acre) | Amount |
|---|---|---|---|---|---|---|
| WWS | Process wastewater | 69.05 | 6.51 | 119.13 | 687.95 | 606,162.00 *gal* |
| IW- Berryhill W | Ground water | 14.44 | 0.00 | 0.00 | 205.49 | 2,592,000.00 *gal* |
| Application event totals | | 83.49 | 6.51 | 119.13 | 893.43 | |

| | | | | |
|---|---|---|---|---|
| 04/08/2023 | Surface (irrigation) | No precipitation | No precipitation | No precipitation |

| Source description | Material type | N (lbs/acre) | P (lbs/acre) | K (lbs/acre) | Salt (lbs/acre) | Amount |
|---|---|---|---|---|---|---|
| WWS | Process wastewater | 96.40 | 9.09 | 166.31 | 960.45 | 846,269.00 *gal* |
| TID Lateral 3 | Ground water | 0.00 | 0.00 | 0.00 | 36.50 | 6,480,000.00 *gal* |
| Application event totals | | 96.40 | 9.09 | 166.31 | 996.95 | |

## 9 Back 40 - 06/03/2023: Corn, silage

Field name: 9 Back 40

Crop: Corn, silage

Plant date: 06/03/2023

| Application date | Application method | Precipitation 24 hours prior | Precipitation during application | Precipitation 24 hours following |
|---|---|---|---|---|
| 05/24/2023 | Surface (irrigation) | No precipitation | No precipitation | No precipitation |

| Source description | Material type | N (lbs/acre) | P (lbs/acre) | K (lbs/acre) | Salt (lbs/acre) | Amount |
|---|---|---|---|---|---|---|
| WWS | Process wastewater | 225.98 | 6.31 | 177.44 | 689.65 | 802,356.00 *gal* |
| TID Lateral 3 | Ground water | 0.00 | 0.00 | 0.00 | 43.34 | 7,695,000.00 *gal* |
| Application event totals | | 225.98 | 6.31 | 177.44 | 733.00 | |

9 Back 40 - 06/03/2023: Corn, silage

| Application date | Application method | Precipitation 24 hours prior | Precipitation during application | Precipitation 24 hours following |
|---|---|---|---|---|
| 07/04/2023 | Surface (irrigation) | No precipitation | No precipitation | No precipitation |

| Source description | Material type | N (lbs/acre) | P (lbs/acre) | K (lbs/acre) | Salt (lbs/acre) | Amount |
|---|---|---|---|---|---|---|
| TID Lateral 3 | Ground water | 0.00 | 0.00 | 0.00 | 4.11 | 729,000.00 *gal* |
| Application event totals | | 0.00 | 0.00 | 0.00 | 4.11 | |

| Application date | Application method | Precipitation 24 hours prior | Precipitation during application | Precipitation 24 hours following |
|---|---|---|---|---|
| 07/15/2023 | Surface (irrigation) | No precipitation | No precipitation | No precipitation |

| Source description | Material type | N (lbs/acre) | P (lbs/acre) | K (lbs/acre) | Salt (lbs/acre) | Amount |
|---|---|---|---|---|---|---|
| TID Lateral 3 | Ground water | 0.00 | 0.00 | 0.00 | 36.50 | 6,480,000.00 *gal* |
| Application event totals | | 0.00 | 0.00 | 0.00 | 36.50 | |

| Application date | Application method | Precipitation 24 hours prior | Precipitation during application | Precipitation 24 hours following |
|---|---|---|---|---|
| 07/26/2023 | Surface (irrigation) | No precipitation | No precipitation | No precipitation |

| Source description | Material type | N (lbs/acre) | P (lbs/acre) | K (lbs/acre) | Salt (lbs/acre) | Amount |
|---|---|---|---|---|---|---|
| WWS | Process wastewater | 114.09 | 4.91 | 114.58 | 1,221.15 | 784,626.00 *gal* |
| TID Lateral 3 | Ground water | 0.00 | 0.00 | 0.00 | 36.50 | 6,480,000.00 *gal* |
| Application event totals | | 114.09 | 4.91 | 114.58 | 1,257.65 | |

| Application date | Application method | Precipitation 24 hours prior | Precipitation during application | Precipitation 24 hours following |
|---|---|---|---|---|
| 08/06/2023 | Surface (irrigation) | No precipitation | No precipitation | No precipitation |

| Source description | Material type | N (lbs/acre) | P (lbs/acre) | K (lbs/acre) | Salt (lbs/acre) | Amount |
|---|---|---|---|---|---|---|
| TID Lateral 3 | Ground water | 0.00 | 0.00 | 0.00 | 34.22 | 6,075,000.00 *gal* |
| Application event totals | | 0.00 | 0.00 | 0.00 | 34.22 | |

| Application date | Application method | Precipitation 24 hours prior | Precipitation during application | Precipitation 24 hours following |
|---|---|---|---|---|
| 08/17/2023 | Surface (irrigation) | No precipitation | No precipitation | No precipitation |

| Source description | Material type | N (lbs/acre) | P (lbs/acre) | K (lbs/acre) | Salt (lbs/acre) | Amount |
|---|---|---|---|---|---|---|
| TID Lateral 3 | Ground water | 0.00 | 0.00 | 0.00 | 31.94 | 5,670,000.00 *gal* |
| Application event totals | | 0.00 | 0.00 | 0.00 | 31.94 | |

| Application date | Application method | Precipitation 24 hours prior | Precipitation during application | Precipitation 24 hours following |
|---|---|---|---|---|
| 08/28/2023 | Surface (irrigation) | No precipitation | No precipitation | No precipitation |

| Source description | Material type | N (lbs/acre) | P (lbs/acre) | K (lbs/acre) | Salt (lbs/acre) | Amount |
|---|---|---|---|---|---|---|
| TID Lateral 3 | Ground water | 0.00 | 0.00 | 0.00 | 31.94 | 5,670,000.00 *gal* |
| Application event totals | | 0.00 | 0.00 | 0.00 | 31.94 | |

## B. NUTRIENT BUDGET

1 Berryhill Lagoon - 11/03/2022: Oats, silage-soft dough

Field name: 1 Berryhill Lagoon  Crop: Oats, silage-soft dough  Plant date: 11/03/2022

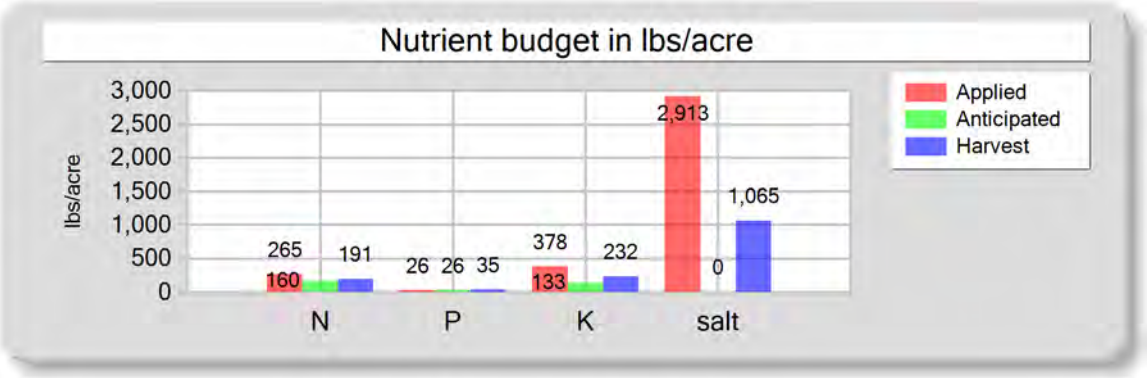


| | Total N (lbs/acre) | Total P (lbs/acre) | Total K (lbs/acre) | Total salt (lbs/acre) |
|---|---|---|---|---|
| Existing soil nutrient content | 0.00 | 0.00 | 0.00 | 0.00 |
| Plowdown credit | 0.00 | 0.00 | 0.00 | 0.00 |
| Commercial fertilizer / Other | 0.00 | 0.00 | 0.00 | 0.00 |
| Dry manure | 0.00 | 0.00 | 0.00 | 0.00 |
| Process wastewater | 251.90 | 26.06 | 378.25 | 2,655.13 |
| Fresh water | 5.75 | 0.00 | 0.00 | 257.58 |
| Atmospheric deposition | 7.00 | 0.00 | 0.00 | 0.00 |
| Total nutrients applied | 264.65 | 26.06 | 378.25 | 2,912.71 |
| Anticipated crop nutrient removal | 160.00 | 25.60 | 132.80 | 0.00 |
| Actual crop nutrient removal | 190.84 | 34.76 | 232.35 | 1,065.22 |
| Nutrient balance | 73.81 | -8.69 | 145.90 | 1,847.48 |
| Applied to removed ratio | 1.39 | 0.75 | 1.63 | 2.73 |

| Fresh water applied | |
|---|---|
| 3,699,000.00 | *gallons* |
| 136.22 | *acre-inches* |
| 12.38 | *inches/acre* |

| Process wastewater applied | |
|---|---|
| 744,951.00 | *gallons* |
| 27.43 | *acre-inches* |
| 2.49 | *inches/acre* |

| Total harvests for the crop | |
|---|---|
| 1 | *harvests* |

## 1 Berryhill Lagoon - 06/05/2023: Corn, silage

Field name: 1 Berryhill Lagoon  Crop: Corn, silage  Plant date: 06/05/2023

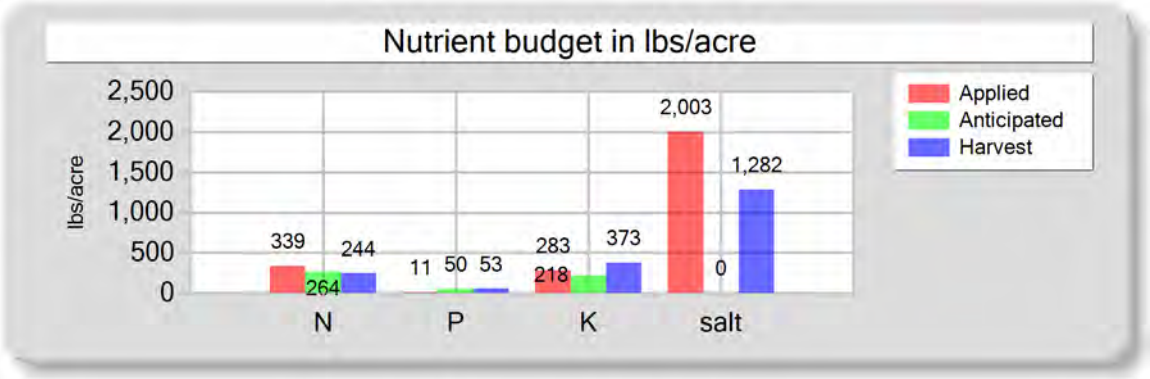


| | Total N (lbs/acre) | Total P (lbs/acre) | Total K (lbs/acre) | Total salt (lbs/acre) |
|---|---|---|---|---|
| Existing soil nutrient content | 0.00 | 0.00 | 0.00 | 0.00 |
| Plowdown credit | 0.00 | 0.00 | 0.00 | 0.00 |
| Commercial fertilizer / Other | 0.00 | 0.00 | 0.00 | 0.00 |
| Dry manure | 0.00 | 0.00 | 0.00 | 0.00 |
| Process wastewater | 331.76 | 10.82 | 283.04 | 1,799.63 |
| Fresh water | 0.00 | 0.00 | 0.00 | 203.24 |
| Atmospheric deposition | 7.00 | 0.00 | 0.00 | 0.00 |
| Total nutrients applied | 338.76 | 10.82 | 283.04 | 2,002.88 |
| Anticipated crop nutrient removal | 264.00 | 49.50 | 217.80 | 0.00 |
| Actual crop nutrient removal | 244.28 | 53.32 | 373.24 | 1,281.97 |
| Nutrient balance | 94.48 | -42.50 | -90.20 | 720.90 |
| Applied to removed ratio | 1.39 | 0.20 | 0.76 | 1.56 |

| Fresh water applied | |
|---|---|
| 9,922,500.00 | *gallons* |
| 365.41 | *acre-inches* |
| 33.22 | *inches/acre* |

| Process wastewater applied | |
|---|---|
| 418,048.00 | *gallons* |
| 15.40 | *acre-inches* |
| 1.40 | *inches/acre* |

| Total harvests for the crop | |
|---|---|
| 1 | *harvests* |

## 10 Yori North - 10/29/2022: Oats, silage-soft dough

Field name: 10 Yori North | Crop: Oats, silage-soft dough | Plant date: 10/29/2022

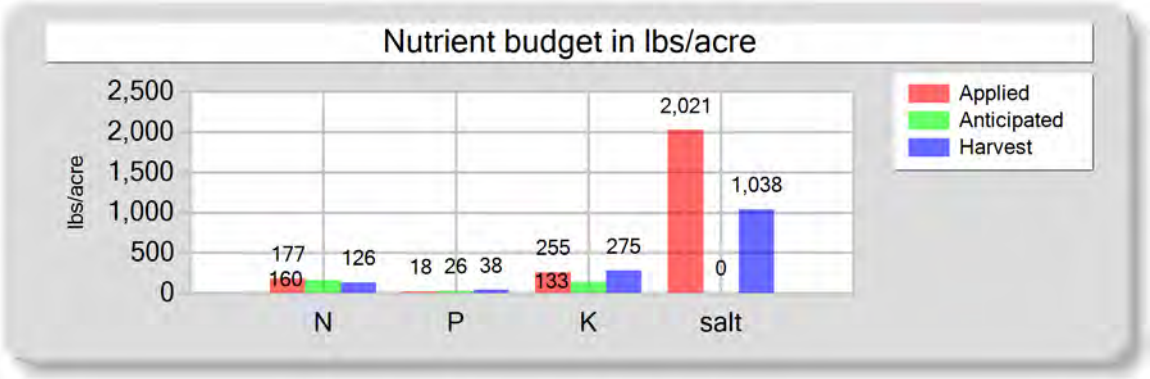


| | Total N (lbs/acre) | Total P (lbs/acre) | Total K (lbs/acre) | Total salt (lbs/acre) |
|---|---|---|---|---|
| Existing soil nutrient content | 0.00 | 0.00 | 0.00 | 0.00 |
| Plowdown credit | 0.00 | 0.00 | 0.00 | 0.00 |
| Commercial fertilizer / Other | 0.00 | 0.00 | 0.00 | 0.00 |
| Dry manure | 0.00 | 0.00 | 0.00 | 0.00 |
| Process wastewater | 169.78 | 17.58 | 254.59 | 1,790.39 |
| Fresh water | 0.00 | 0.00 | 0.00 | 230.69 |
| Atmospheric deposition | 7.00 | 0.00 | 0.00 | 0.00 |
| Total nutrients applied | 176.78 | 17.58 | 254.59 | 2,021.08 |
| Anticipated crop nutrient removal | 160.00 | 25.60 | 132.80 | 0.00 |
| Actual crop nutrient removal | 125.76 | 37.89 | 275.30 | 1,037.52 |
| Nutrient balance | 51.02 | -20.31 | -20.71 | 983.56 |
| Applied to removed ratio | 1.41 | 0.46 | 0.92 | 1.95 |

| Fresh water applied | |
|---|---|
| 17,172,000.00 | *gallons* |
| 632.39 | *acre-inches* |
| 16.22 | *inches/acre* |

| Process wastewater applied | |
|---|---|
| 1,783,060.00 | *gallons* |
| 65.66 | *acre-inches* |
| 1.68 | *inches/acre* |

| Total harvests for the crop | |
|---|---|
| 1 | *harvests* |

## 10 Yori North - 05/31/2023: Corn, silage

Field name: 10 Yori North | Crop: Corn, silage | Plant date: 05/31/2023

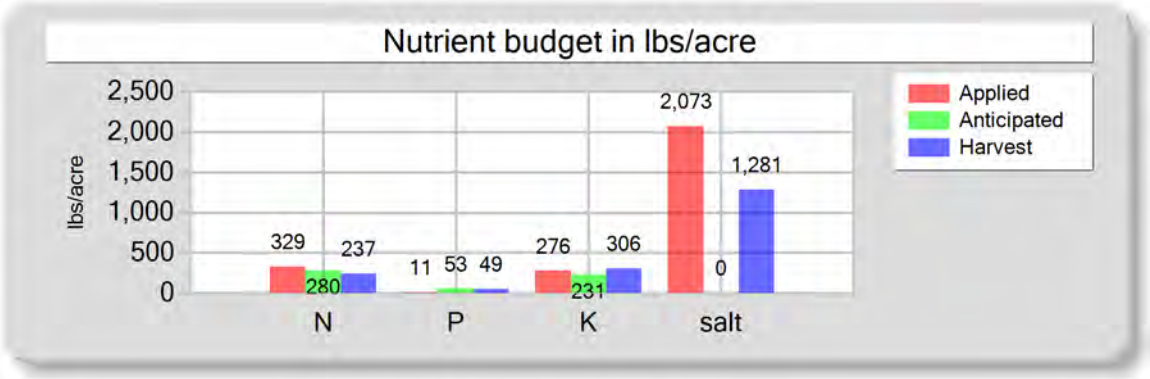


| | Total N (lbs/acre) | Total P (lbs/acre) | Total K (lbs/acre) | Total salt (lbs/acre) |
|---|---|---|---|---|
| Existing soil nutrient content | 0.00 | 0.00 | 0.00 | 0.00 |
| Plowdown credit | 0.00 | 0.00 | 0.00 | 0.00 |
| Commercial fertilizer / Other | 0.00 | 0.00 | 0.00 | 0.00 |
| Dry manure | 0.00 | 0.00 | 0.00 | 0.00 |
| Process wastewater | 321.58 | 10.62 | 276.31 | 1,812.98 |
| Fresh water | 0.00 | 0.00 | 0.00 | 260.30 |
| Atmospheric deposition | 7.00 | 0.00 | 0.00 | 0.00 |
| Total nutrients applied | 328.58 | 10.62 | 276.31 | 2,073.29 |
| Anticipated crop nutrient removal | 280.00 | 52.50 | 231.00 | 0.00 |
| Actual crop nutrient removal | 237.41 | 49.03 | 305.79 | 1,280.97 |
| Nutrient balance | 91.17 | -38.41 | -29.48 | 792.32 |
| Applied to removed ratio | 1.38 | 0.22 | 0.90 | 1.62 |

| Fresh water applied | |
|---|---|
| 45,056,250.00 | *gallons* |
| 1,659.27 | *acre-inches* |
| 42.55 | *inches/acre* |

| Process wastewater applied | |
|---|---|
| 1,465,740.00 | *gallons* |
| 53.98 | *acre-inches* |
| 1.38 | *inches/acre* |

| Total harvests for the crop | |
|---|---|
| 1 | *harvests* |

## 11 Yori South - 10/29/2022: Oats, silage-soft dough

Field name: 11 Yori South | Crop: Oats, silage-soft dough | Plant date: 10/29/2022

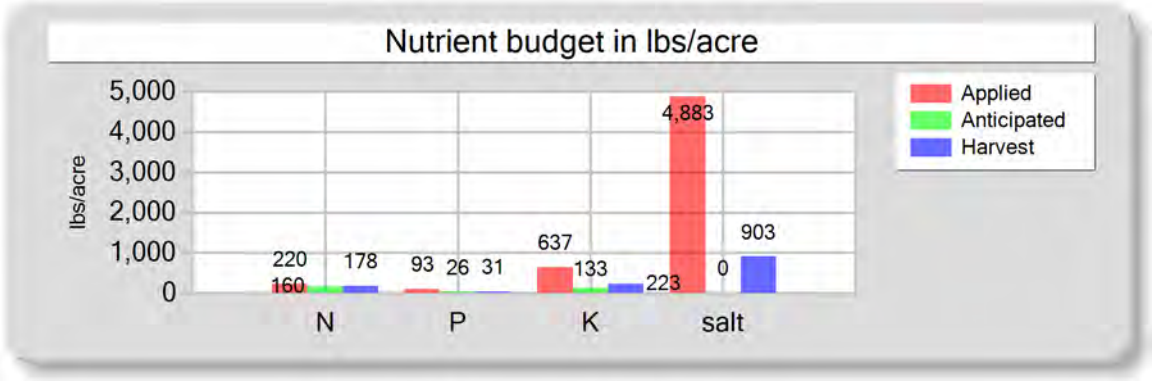


| | Total N (lbs/acre) | Total P (lbs/acre) | Total K (lbs/acre) | Total salt (lbs/acre) |
|---|---|---|---|---|
| Existing soil nutrient content | 0.00 | 0.00 | 0.00 | 0.00 |
| Plowdown credit | 0.00 | 0.00 | 0.00 | 0.00 |
| Commercial fertilizer / Other | 0.00 | 0.00 | 0.00 | 0.00 |
| Dry manure | 213.43 | 92.52 | 637.15 | 4,846.95 |
| Process wastewater | 0.00 | 0.00 | 0.00 | 0.00 |
| Fresh water | 0.00 | 0.00 | 0.00 | 36.50 |
| Atmospheric deposition | 7.00 | 0.00 | 0.00 | 0.00 |
| Total nutrients applied | 220.43 | 92.52 | 637.15 | 4,883.46 |
| Anticipated crop nutrient removal | 160.00 | 25.60 | 132.80 | 0.00 |
| Actual crop nutrient removal | 178.02 | 30.87 | 222.61 | 903.26 |
| Nutrient balance | 42.42 | 61.65 | 414.54 | 3,980.20 |
| Applied to removed ratio | 1.24 | 3.00 | 2.86 | 5.41 |

| Fresh water applied | |
|---|---|
| 6,885,000.00 | *gallons* |
| 253.55 | *acre-inches* |
| 12.68 | *inches/acre* |

| Process wastewater applied | |
|---|---|
| 0.00 | *gallons* |
| 0.00 | *acre-inches* |
| 0.00 | *inches/acre* |

| Total harvests for the crop | |
|---|---|
| 1 | *harvests* |

## 11 Yori South - 05/31/2023: Corn, silage

Field name: 11 Yori South  Crop: Corn, silage  Plant date: 05/31/2023

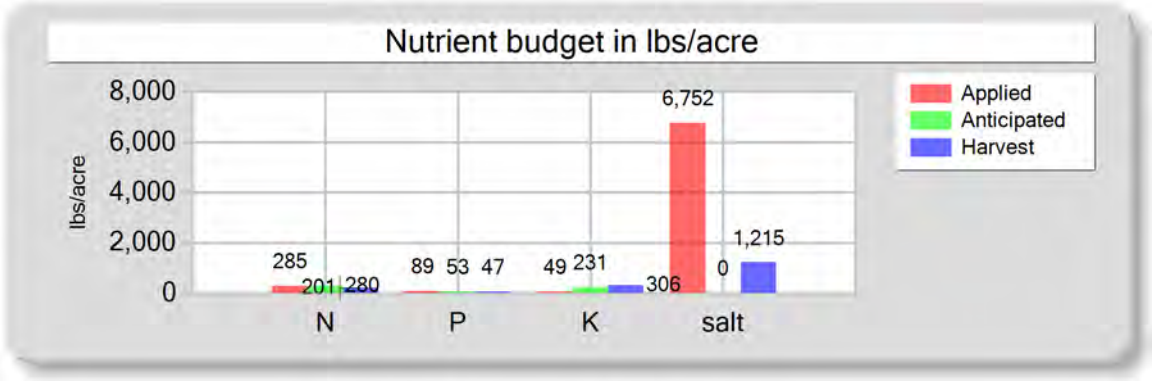


| | Total N (lbs/acre) | Total P (lbs/acre) | Total K (lbs/acre) | Total salt (lbs/acre) |
|---|---|---|---|---|
| Existing soil nutrient content | 0.00 | 0.00 | 0.00 | 0.00 |
| Plowdown credit | 0.00 | 0.00 | 0.00 | 0.00 |
| Commercial fertilizer / Other | 0.00 | 0.00 | 0.00 | 0.00 |
| Dry manure | 277.55 | 89.17 | 48.78 | 6,471.54 |
| Process wastewater | 0.00 | 0.00 | 0.00 | 0.00 |
| Fresh water | 0.00 | 0.00 | 0.00 | 280.60 |
| Atmospheric deposition | 7.00 | 0.00 | 0.00 | 0.00 |
| Total nutrients applied | 284.55 | 89.17 | 48.78 | 6,752.14 |
| Anticipated crop nutrient removal | 280.00 | 52.50 | 231.00 | 0.00 |
| Actual crop nutrient removal | 200.79 | 47.14 | 305.55 | 1,215.22 |
| Nutrient balance | 83.76 | 42.03 | -256.77 | 5,536.93 |
| Applied to removed ratio | 1.42 | 1.89 | 0.16 | 5.56 |

| Fresh water applied | |
|---|---|
| 24,907,500.00 | *gallons* |
| 917.26 | *acre-inches* |
| 45.86 | *inches/acre* |

| Process wastewater applied | |
|---|---|
| 0.00 | *gallons* |
| 0.00 | *acre-inches* |
| 0.00 | *inches/acre* |

| Total harvests for the crop | |
|---|---|
| 1 | *harvests* |

## 12 Harold's House - 02/01/2005: Almond Field Run

Field name: 12 Harold's House | Crop: Almond Field Run | Plant date: 02/01/2005

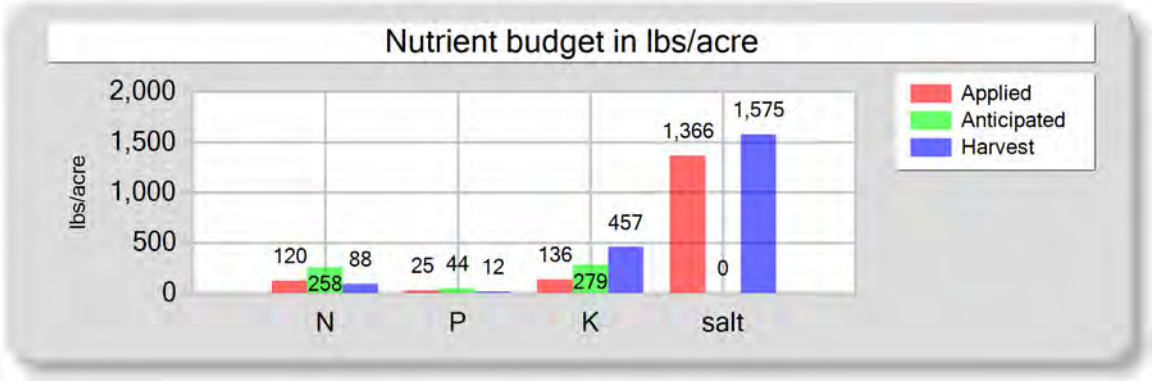


| | Total N (lbs/acre) | Total P (lbs/acre) | Total K (lbs/acre) | Total salt (lbs/acre) |
|---|---|---|---|---|
| Existing soil nutrient content | 0.00 | 0.00 | 0.00 | 0.00 |
| Plowdown credit | 0.00 | 0.00 | 0.00 | 0.00 |
| Commercial fertilizer / Other | 36.80 | 0.00 | 0.00 | 0.00 |
| Dry manure | 69.64 | 24.65 | 136.39 | 1,106.76 |
| Process wastewater | 0.00 | 0.00 | 0.00 | 0.00 |
| Fresh water | 0.00 | 0.00 | 0.00 | 259.00 |
| Atmospheric deposition | 14.00 | 0.00 | 0.00 | 0.00 |
| Total nutrients applied | 120.44 | 24.65 | 136.39 | 1,365.76 |
| Anticipated crop nutrient removal | 258.00 | 43.80 | 279.00 | 0.00 |
| Actual crop nutrient removal | 87.95 | 11.84 | 456.69 | 1,575.36 |
| Nutrient balance | 32.49 | 12.81 | -320.29 | -209.60 |
| Applied to removed ratio | 1.37 | 2.08 | 0.30 | 0.87 |

| Fresh water applied | |
|---|---|
| 40,233,010.00 | *gallons* |
| 1,481.64 | *acre-inches* |
| 42.33 | *inches/acre* |

| Process wastewater applied | |
|---|---|
| 0.00 | *gallons* |
| 0.00 | *acre-inches* |
| 0.00 | *inches/acre* |

| Total harvests for the crop | |
|---|---|
| 1 | *harvests* |

## 13 McCoy A - 10/29/2022: Oats, silage-soft dough

Field name: 13 McCoy A  Crop: Oats, silage-soft dough  Plant date: 10/29/2022

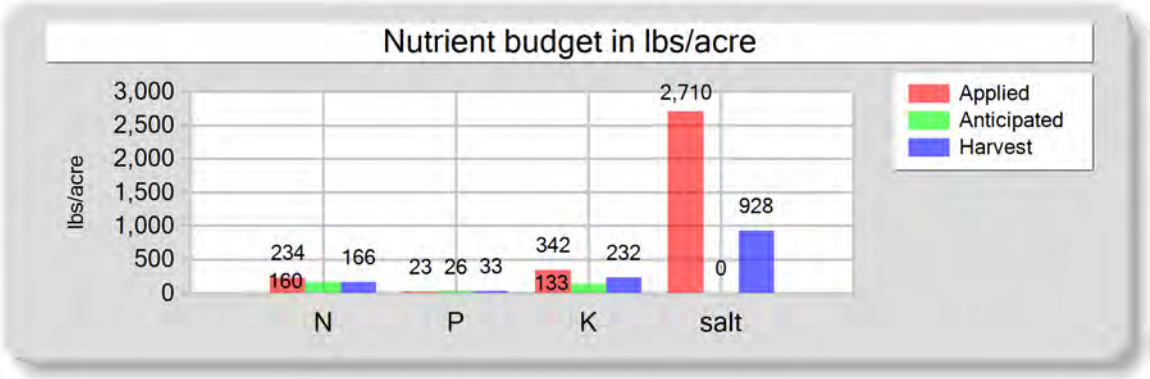


| | Total N (lbs/acre) | Total P (lbs/acre) | Total K (lbs/acre) | Total salt (lbs/acre) |
|---|---|---|---|---|
| Existing soil nutrient content | 0.00 | 0.00 | 0.00 | 0.00 |
| Plowdown credit | 0.00 | 0.00 | 0.00 | 0.00 |
| Commercial fertilizer / Other | 0.00 | 0.00 | 0.00 | 0.00 |
| Dry manure | 0.00 | 0.00 | 0.00 | 0.00 |
| Process wastewater | 227.22 | 23.46 | 342.39 | 2,391.90 |
| Fresh water | 0.00 | 0.00 | 0.00 | 317.95 |
| Atmospheric deposition | 7.00 | 0.00 | 0.00 | 0.00 |
| Total nutrients applied | 234.22 | 23.46 | 342.39 | 2,709.85 |
| Anticipated crop nutrient removal | 160.00 | 25.60 | 132.80 | 0.00 |
| Actual crop nutrient removal | 166.32 | 33.05 | 231.71 | 927.84 |
| Nutrient balance | 67.90 | -9.59 | 110.68 | 1,782.02 |
| Applied to removed ratio | 1.41 | 0.71 | 1.48 | 2.92 |

| Fresh water applied | |
|---|---|
| 11,097,000.00 | *gallons* |
| 408.66 | *acre-inches* |
| 15.72 | *inches/acre* |

| Process wastewater applied | |
|---|---|
| 1,581,404.00 | *gallons* |
| 58.24 | *acre-inches* |
| 2.24 | *inches/acre* |

| Total harvests for the crop | |
|---|---|
| 1 | *harvests* |

## 13 McCoy A - 06/03/2023: Corn, silage

Field name: 13 McCoy A  Crop: Corn, silage  Plant date: 06/03/2023

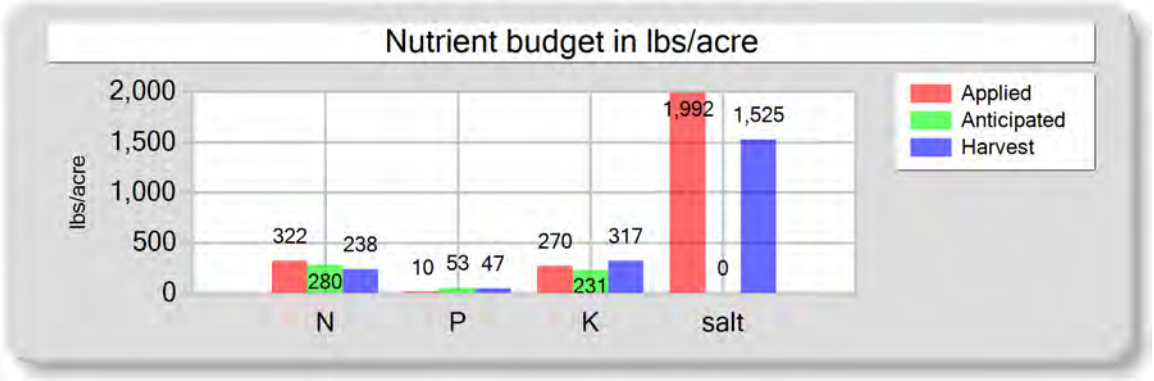


| | Total N (lbs/acre) | Total P (lbs/acre) | Total K (lbs/acre) | Total salt (lbs/acre) |
|---|---|---|---|---|
| Existing soil nutrient content | 0.00 | 0.00 | 0.00 | 0.00 |
| Plowdown credit | 0.00 | 0.00 | 0.00 | 0.00 |
| Commercial fertilizer / Other | 0.00 | 0.00 | 0.00 | 0.00 |
| Dry manure | 0.00 | 0.00 | 0.00 | 0.00 |
| Process wastewater | 314.79 | 10.36 | 269.85 | 1,752.55 |
| Fresh water | 0.00 | 0.00 | 0.00 | 239.54 |
| Atmospheric deposition | 7.00 | 0.00 | 0.00 | 0.00 |
| Total nutrients applied | 321.79 | 10.36 | 269.85 | 1,992.09 |
| Anticipated crop nutrient removal | 280.00 | 52.50 | 231.00 | 0.00 |
| Actual crop nutrient removal | 237.94 | 46.80 | 317.45 | 1,525.09 |
| Nutrient balance | 83.85 | -36.44 | -47.60 | 467.00 |
| Applied to removed ratio | 1.35 | 0.22 | 0.85 | 1.31 |

| Fresh water applied | |
|---|---|
| 27,641,250.00 | *gallons* |
| 1,017.93 | *acre-inches* |
| 39.15 | *inches/acre* |

| Process wastewater applied | |
|---|---|
| 950,278.00 | *gallons* |
| 35.00 | *acre-inches* |
| 1.35 | *inches/acre* |

| Total harvests for the crop | |
|---|---|
| 1 | *harvests* |

## 13 McCoy B - 02/01/2022: Almond Field Run

Field name: 13 McCoy B  Crop: Almond Field Run  Plant date: 02/01/2022

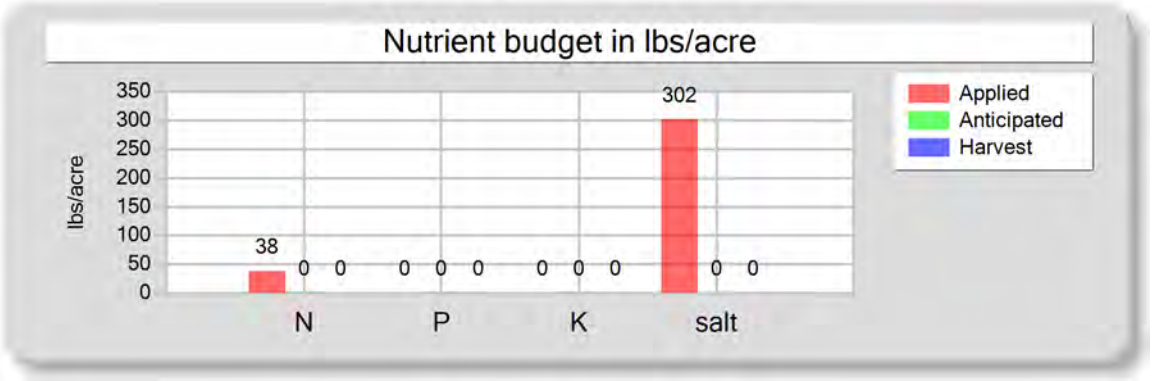


| | Total N (lbs/acre) | Total P (lbs/acre) | Total K (lbs/acre) | Total salt (lbs/acre) |
|---|---|---|---|---|
| Existing soil nutrient content | 0.00 | 0.00 | 0.00 | 0.00 |
| Plowdown credit | 0.00 | 0.00 | 0.00 | 0.00 |
| Commercial fertilizer / Other | 24.00 | 0.00 | 0.00 | 0.00 |
| Dry manure | 0.00 | 0.00 | 0.00 | 0.00 |
| Process wastewater | 0.00 | 0.00 | 0.00 | 0.00 |
| Fresh water | 0.00 | 0.00 | 0.00 | 301.81 |
| Atmospheric deposition | 14.00 | 0.00 | 0.00 | 0.00 |
| Total nutrients applied | 38.00 | 0.00 | 0.00 | 301.81 |
| Anticipated crop nutrient removal | 0.10 | 0.01 | 0.01 | 0.00 |
| Actual crop nutrient removal | 0.00 | 0.00 | 0.00 | 0.00 |
| Nutrient balance | 38.00 | 0.00 | 0.00 | 301.81 |
| Applied to removed ratio | 0.00 | 0.00 | 0.00 | 0.00 |

| Fresh water applied | |
|---|---|
| 16,073,926.00 | *gallons* |
| 591.95 | *acre-inches* |
| 49.33 | *inches/acre* |

| Process wastewater applied | |
|---|---|
| 0.00 | *gallons* |
| 0.00 | *acre-inches* |
| 0.00 | *inches/acre* |

| Total harvests for the crop | |
|---|---|
| 1 | *harvests* |

## 14 Drake - 10/29/2022: Oats, silage-soft dough

Field name: 14 Drake | Crop: Oats, silage-soft dough | Plant date: 10/29/2022

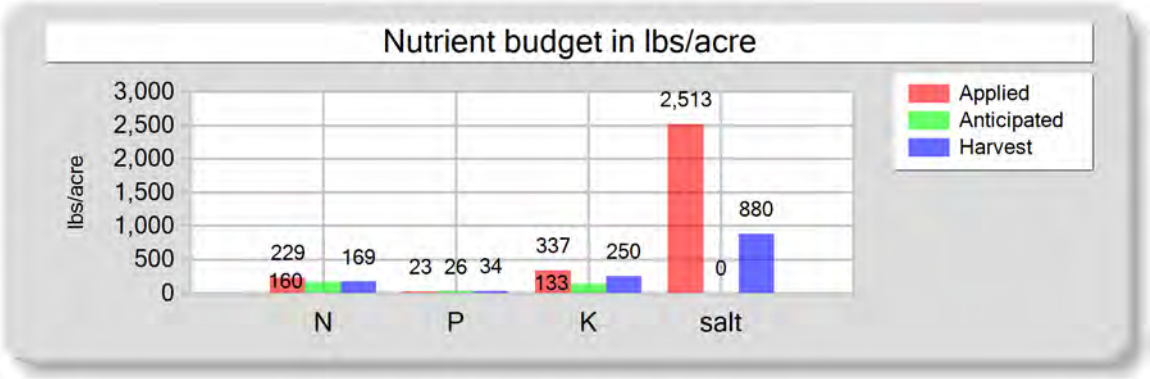


| | Total N (lbs/acre) | Total P (lbs/acre) | Total K (lbs/acre) | Total salt (lbs/acre) |
|---|---|---|---|---|
| Existing soil nutrient content | 0.00 | 0.00 | 0.00 | 0.00 |
| Plowdown credit | 0.00 | 0.00 | 0.00 | 0.00 |
| Commercial fertilizer / Other | 0.00 | 0.00 | 0.00 | 0.00 |
| Dry manure | 0.00 | 0.00 | 0.00 | 0.00 |
| Process wastewater | 222.29 | 22.87 | 337.08 | 2,334.56 |
| Fresh water | 0.00 | 0.00 | 0.00 | 178.77 |
| Atmospheric deposition | 7.00 | 0.00 | 0.00 | 0.00 |
| Total nutrients applied | 229.29 | 22.87 | 337.08 | 2,513.33 |
| Anticipated crop nutrient removal | 160.00 | 25.60 | 132.80 | 0.00 |
| Actual crop nutrient removal | 168.58 | 33.65 | 249.54 | 879.54 |
| Nutrient balance | 60.71 | -10.78 | 87.55 | 1,633.79 |
| Applied to removed ratio | 1.36 | 0.68 | 1.35 | 2.86 |

| Fresh water applied | |
|---|---|
| 13,689,000.00 | *gallons* |
| 504.12 | *acre-inches* |
| 13.27 | *inches/acre* |

| Process wastewater applied | |
|---|---|
| 2,243,388.00 | *gallons* |
| 82.62 | *acre-inches* |
| 2.17 | *inches/acre* |

| Total harvests for the crop | |
|---|---|
| 1 | *harvests* |

## 14 Drake - 05/31/2023: Corn, silage

Field name: 14 Drake  Crop: Corn, silage  Plant date: 05/31/2023

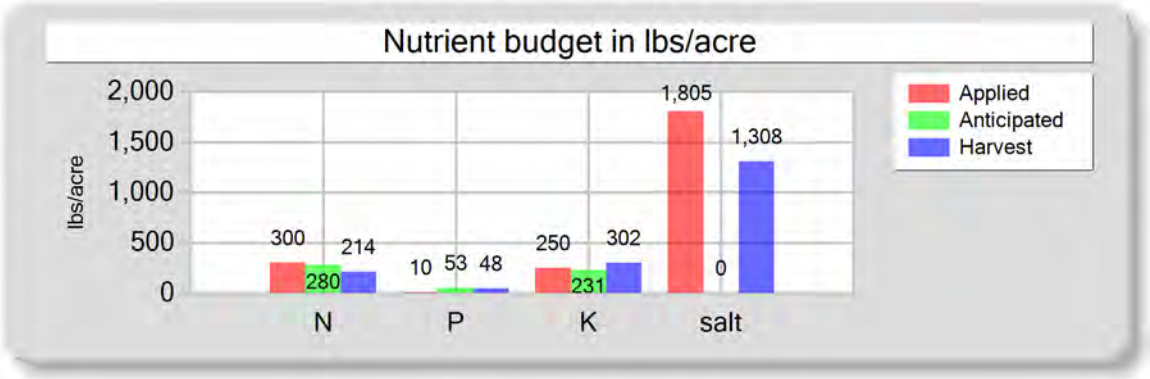


| | Total N (lbs/acre) | Total P (lbs/acre) | Total K (lbs/acre) | Total salt (lbs/acre) |
|---|---|---|---|---|
| Existing soil nutrient content | 0.00 | 0.00 | 0.00 | 0.00 |
| Plowdown credit | 0.00 | 0.00 | 0.00 | 0.00 |
| Commercial fertilizer / Other | 0.00 | 0.00 | 0.00 | 0.00 |
| Dry manure | 0.00 | 0.00 | 0.00 | 0.00 |
| Process wastewater | 293.15 | 9.54 | 249.77 | 1,578.90 |
| Fresh water | 0.00 | 0.00 | 0.00 | 225.73 |
| Atmospheric deposition | 7.00 | 0.00 | 0.00 | 0.00 |
| Total nutrients applied | 300.15 | 9.54 | 249.77 | 1,804.63 |
| Anticipated crop nutrient removal | 280.00 | 52.50 | 231.00 | 0.00 |
| Actual crop nutrient removal | 213.62 | 47.99 | 302.00 | 1,307.95 |
| Nutrient balance | 86.53 | -38.45 | -52.22 | 496.68 |
| Applied to removed ratio | 1.41 | 0.20 | 0.83 | 1.38 |

| Fresh water applied | |
|---|---|
| 38,070,000.00 | *gallons* |
| 1,401.99 | *acre-inches* |
| 36.89 | *inches/acre* |

| Process wastewater applied | |
|---|---|
| 1,271,425.00 | *gallons* |
| 46.82 | *acre-inches* |
| 1.23 | *inches/acre* |

| Total harvests for the crop | |
|---|---|
| 1 | *harvests* |

## 15 Webster West - 01/26/2019: Almond Field Run

Field name: 15 Webster West  Crop: Almond Field Run  Plant date: 01/26/2019

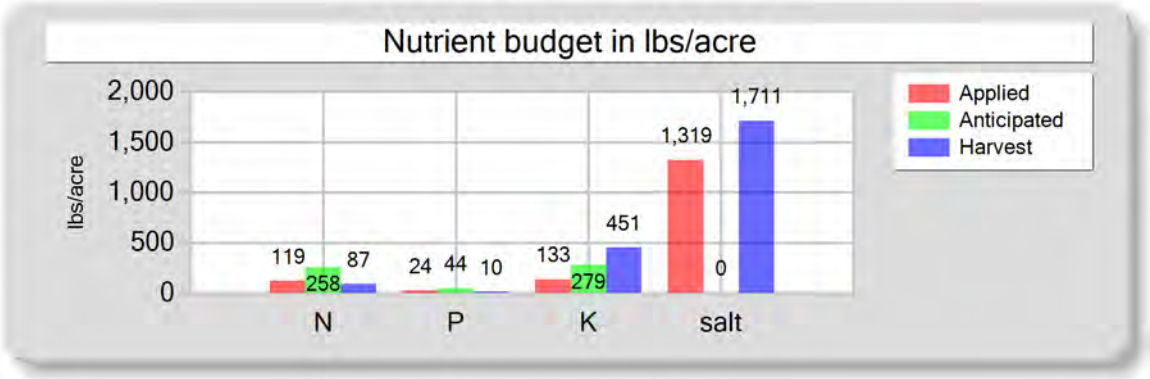


| | Total N (lbs/acre) | Total P (lbs/acre) | Total K (lbs/acre) | Total salt (lbs/acre) |
|---|---|---|---|---|
| Existing soil nutrient content | 0.00 | 0.00 | 0.00 | 0.00 |
| Plowdown credit | 0.00 | 0.00 | 0.00 | 0.00 |
| Commercial fertilizer / Other | 36.80 | 0.00 | 0.00 | 0.00 |
| Dry manure | 67.82 | 24.00 | 132.82 | 1,077.78 |
| Process wastewater | 0.00 | 0.00 | 0.00 | 0.00 |
| Fresh water | 0.00 | 0.00 | 0.00 | 240.99 |
| Atmospheric deposition | 14.00 | 0.00 | 0.00 | 0.00 |
| Total nutrients applied | 118.62 | 24.00 | 132.82 | 1,318.77 |
| Anticipated crop nutrient removal | 258.00 | 43.80 | 279.00 | 0.00 |
| Actual crop nutrient removal | 86.66 | 10.04 | 451.05 | 1,710.52 |
| Nutrient balance | 31.96 | 13.96 | -318.22 | -391.75 |
| Applied to removed ratio | 1.37 | 2.39 | 0.29 | 0.77 |

| Fresh water applied |
|---|
| 50,269,530.00 *gallons* |
| 1,851.26 *acre-inches* |
| 39.39 *inches/acre* |

| Process wastewater applied |
|---|
| 0.00 *gallons* |
| 0.00 *acre-inches* |
| 0.00 *inches/acre* |

| Total harvests for the crop |
|---|
| 1 *harvests* |

## 16 Webster East - 02/01/1995: Almond Field Run

Field name: 16 Webster East | Crop: Almond Field Run | Plant date: 02/01/1995

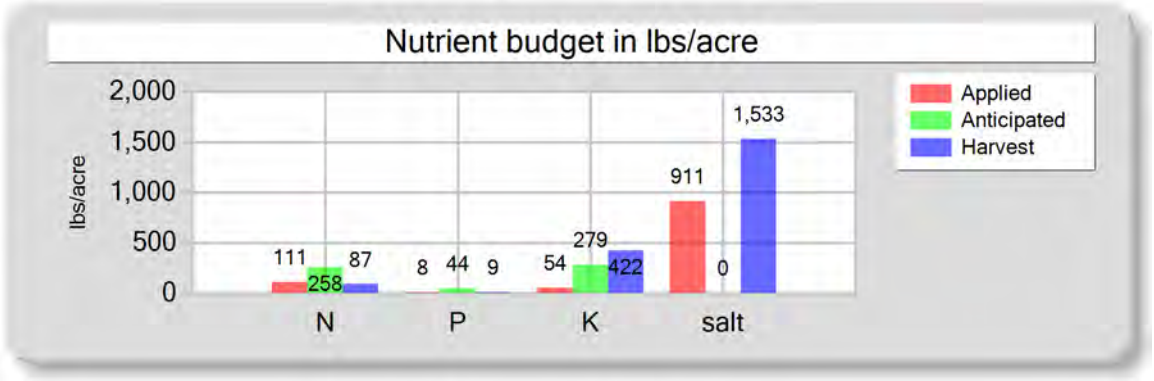


| | Total N (lbs/acre) | Total P (lbs/acre) | Total K (lbs/acre) | Total salt (lbs/acre) |
|---|---|---|---|---|
| Existing soil nutrient content | 0.00 | 0.00 | 0.00 | 0.00 |
| Plowdown credit | 0.00 | 0.00 | 0.00 | 0.00 |
| Commercial fertilizer / Other | 36.80 | 0.00 | 0.00 | 0.00 |
| Dry manure | 0.00 | 0.00 | 0.00 | 0.00 |
| Process wastewater | 59.77 | 7.63 | 54.39 | 721.22 |
| Fresh water | 0.00 | 0.00 | 0.00 | 189.58 |
| Atmospheric deposition | 14.00 | 0.00 | 0.00 | 0.00 |
| Total nutrients applied | 110.57 | 7.63 | 54.39 | 910.79 |
| Anticipated crop nutrient removal | 258.00 | 43.80 | 279.00 | 0.00 |
| Actual crop nutrient removal | 87.07 | 8.88 | 421.89 | 1,532.52 |
| Nutrient balance | 23.50 | -1.25 | -367.50 | -621.72 |
| Applied to removed ratio | 1.27 | 0.86 | 0.13 | 0.59 |

| Fresh water applied | |
|---|---|
| 45,360,000.00 | *gallons* |
| 1,670.45 | *acre-inches* |
| 38.85 | *inches/acre* |

| Process wastewater applied | |
|---|---|
| 1,026,593.00 | *gallons* |
| 37.81 | *acre-inches* |
| 0.88 | *inches/acre* |

| Total harvests for the crop | |
|---|---|
| 1 | *harvests* |

## 17 Sodar-Rock - 11/04/2022: Oats, silage-soft dough

Field name: 17 Sodar-Rock  Crop: Oats, silage-soft dough  Plant date: 11/04/2022

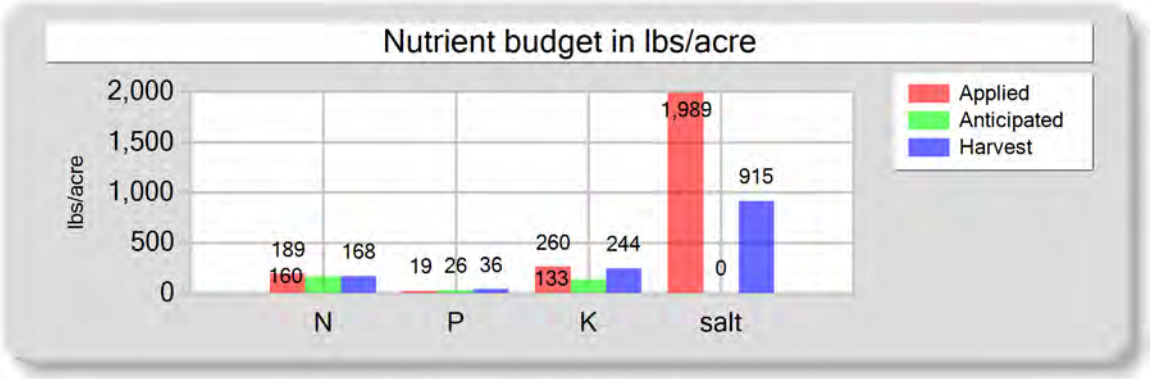


| | Total N (lbs/acre) | Total P (lbs/acre) | Total K (lbs/acre) | Total salt (lbs/acre) |
|---|---|---|---|---|
| Existing soil nutrient content | 0.00 | 0.00 | 0.00 | 0.00 |
| Plowdown credit | 0.00 | 0.00 | 0.00 | 0.00 |
| Commercial fertilizer / Other | 0.00 | 0.00 | 0.00 | 0.00 |
| Dry manure | 0.00 | 0.00 | 0.00 | 0.00 |
| Process wastewater | 182.00 | 19.38 | 259.76 | 1,953.21 |
| Fresh water | 0.00 | 0.00 | 0.00 | 35.49 |
| Atmospheric deposition | 7.00 | 0.00 | 0.00 | 0.00 |
| Total nutrients applied | 189.00 | 19.38 | 259.76 | 1,988.69 |
| Anticipated crop nutrient removal | 160.00 | 25.60 | 132.80 | 0.00 |
| Actual crop nutrient removal | 168.02 | 35.83 | 243.60 | 914.72 |
| Nutrient balance | 20.98 | -16.45 | 16.16 | 1,073.98 |
| Applied to removed ratio | 1.12 | 0.54 | 1.07 | 2.17 |

| Fresh water applied | |
|---|---|
| 11,745,000.00 | *gallons* |
| 432.53 | *acre-inches* |
| 12.01 | *inches/acre* |

| Process wastewater applied | |
|---|---|
| 1,868,935.00 | *gallons* |
| 68.83 | *acre-inches* |
| 1.91 | *inches/acre* |

| Total harvests for the crop | |
|---|---|
| 1 | *harvests* |

## 17 Sodar-Rock - 05/30/2023: Corn, silage

Field name: 17 Sodar-Rock  Crop: Corn, silage  Plant date: 05/30/2023

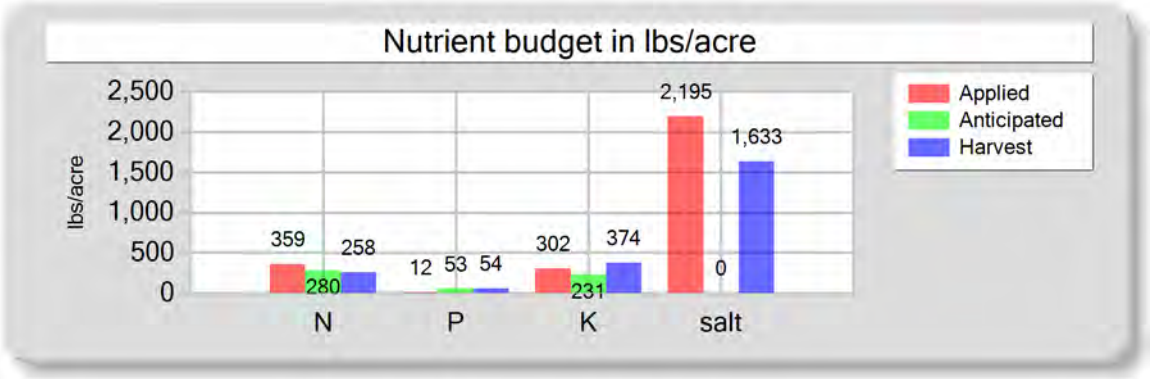


| | Total N (lbs/acre) | Total P (lbs/acre) | Total K (lbs/acre) | Total salt (lbs/acre) |
|---|---|---|---|---|
| Existing soil nutrient content | 0.00 | 0.00 | 0.00 | 0.00 |
| Plowdown credit | 0.00 | 0.00 | 0.00 | 0.00 |
| Commercial fertilizer / Other | 0.00 | 0.00 | 0.00 | 0.00 |
| Dry manure | 0.00 | 0.00 | 0.00 | 0.00 |
| Process wastewater | 351.84 | 11.59 | 301.84 | 1,966.96 |
| Fresh water | 0.00 | 0.00 | 0.00 | 228.13 |
| Atmospheric deposition | 7.00 | 0.00 | 0.00 | 0.00 |
| Total nutrients applied | 358.84 | 11.59 | 301.84 | 2,195.09 |
| Anticipated crop nutrient removal | 280.00 | 52.50 | 231.00 | 0.00 |
| Actual crop nutrient removal | 257.80 | 54.27 | 374.10 | 1,632.85 |
| Nutrient balance | 101.04 | -42.68 | -72.26 | 562.24 |
| Applied to removed ratio | 1.39 | 0.21 | 0.81 | 1.34 |

| Fresh water applied | |
|---|---|
| 36,450,000.00 | *gallons* |
| 1,342.33 | *acre-inches* |
| 37.29 | *inches/acre* |

| Process wastewater applied | |
|---|---|
| 1,473,805.00 | *gallons* |
| 54.28 | *acre-inches* |
| 1.51 | *inches/acre* |

| Total harvests for the crop | |
|---|---|
| 1 | *harvests* |

## 19 ET Vincent - 11/12/2022: Oats, silage-soft dough

Field name: 19 ET Vincent  Crop: Oats, silage-soft dough  Plant date: 11/12/2022

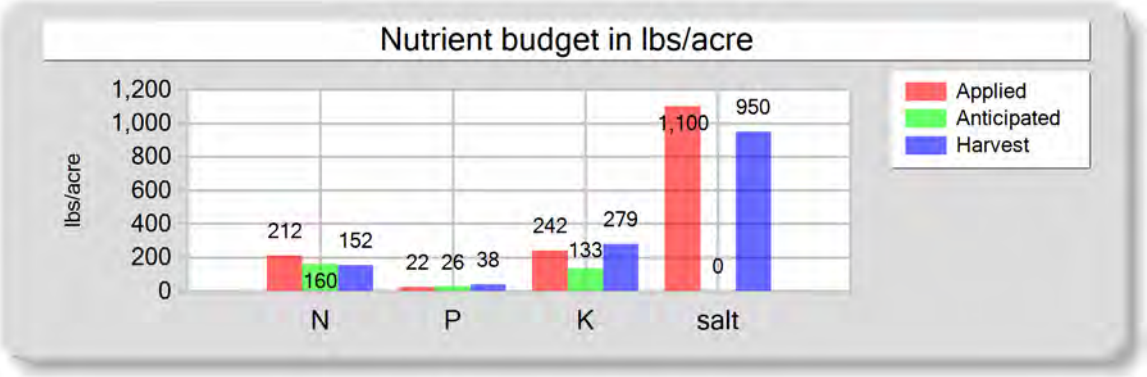


| | Total N (lbs/acre) | Total P (lbs/acre) | Total K (lbs/acre) | Total salt (lbs/acre) |
|---|---|---|---|---|
| Existing soil nutrient content | 0.00 | 0.00 | 0.00 | 0.00 |
| Plowdown credit | 0.00 | 0.00 | 0.00 | 0.00 |
| Commercial fertilizer / Other | 0.00 | 0.00 | 0.00 | 0.00 |
| Dry manure | 0.00 | 0.00 | 0.00 | 0.00 |
| Process wastewater | 205.43 | 22.07 | 241.63 | 1,064.90 |
| Fresh water | 0.00 | 0.00 | 0.00 | 35.00 |
| Atmospheric deposition | 7.00 | 0.00 | 0.00 | 0.00 |
| Total nutrients applied | 212.43 | 22.07 | 241.63 | 1,099.91 |
| Anticipated crop nutrient removal | 160.00 | 25.60 | 132.80 | 0.00 |
| Actual crop nutrient removal | 152.22 | 38.15 | 279.37 | 950.20 |
| Nutrient balance | 60.22 | -16.08 | -37.74 | 149.71 |
| Applied to removed ratio | 1.40 | 0.58 | 0.86 | 1.16 |

| Fresh water applied | |
|---|---|
| 23,490,000.00 | *gallons* |
| 865.06 | *acre-inches* |
| 11.85 | *inches/acre* |

| Process wastewater applied | |
|---|---|
| 2,102,506.00 | *gallons* |
| 77.43 | *acre-inches* |
| 1.06 | *inches/acre* |

| Total harvests for the crop | |
|---|---|
| 1 | *harvests* |

## 19 ET Vincent - 05/30/2023: Corn, silage

Field name: 19 ET Vincent  Crop: Corn, silage  Plant date: 05/30/2023

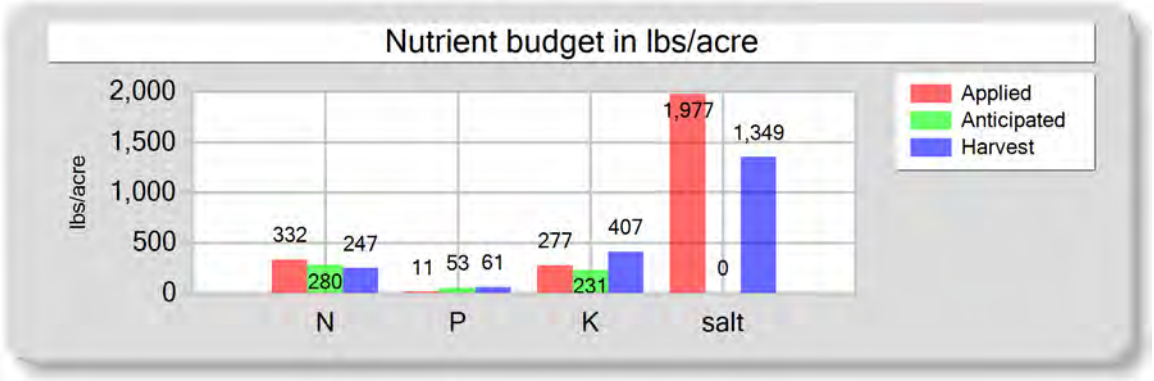


| | Total N (lbs/acre) | Total P (lbs/acre) | Total K (lbs/acre) | Total salt (lbs/acre) |
|---|---|---|---|---|
| Existing soil nutrient content | 0.00 | 0.00 | 0.00 | 0.00 |
| Plowdown credit | 0.00 | 0.00 | 0.00 | 0.00 |
| Commercial fertilizer / Other | 0.00 | 0.00 | 0.00 | 0.00 |
| Dry manure | 0.00 | 0.00 | 0.00 | 0.00 |
| Process wastewater | 324.97 | 10.58 | 276.91 | 1,751.14 |
| Fresh water | 0.00 | 0.00 | 0.00 | 226.26 |
| Atmospheric deposition | 7.00 | 0.00 | 0.00 | 0.00 |
| Total nutrients applied | 331.97 | 10.58 | 276.91 | 1,977.40 |
| Anticipated crop nutrient removal | 280.00 | 52.50 | 231.00 | 0.00 |
| Actual crop nutrient removal | 247.00 | 60.88 | 407.24 | 1,348.51 |
| Nutrient balance | 84.97 | -50.30 | -130.33 | 628.88 |
| Applied to removed ratio | 1.34 | 0.17 | 0.68 | 1.47 |

| Fresh water applied | |
|---|---|
| 73,305,000.00 | *gallons* |
| 2,699.57 | *acre-inches* |
| 36.98 | *inches/acre* |

| Process wastewater applied | |
|---|---|
| 2,708,289.00 | *gallons* |
| 99.74 | *acre-inches* |
| 1.37 | *inches/acre* |

| Total harvests for the crop | |
|---|---|
| 1 | *harvests* |

## 2 Berryhill East - 02/01/2013: Almond Field Run

Field name: 2 Berryhill East  Crop: Almond Field Run  Plant date: 02/01/2013

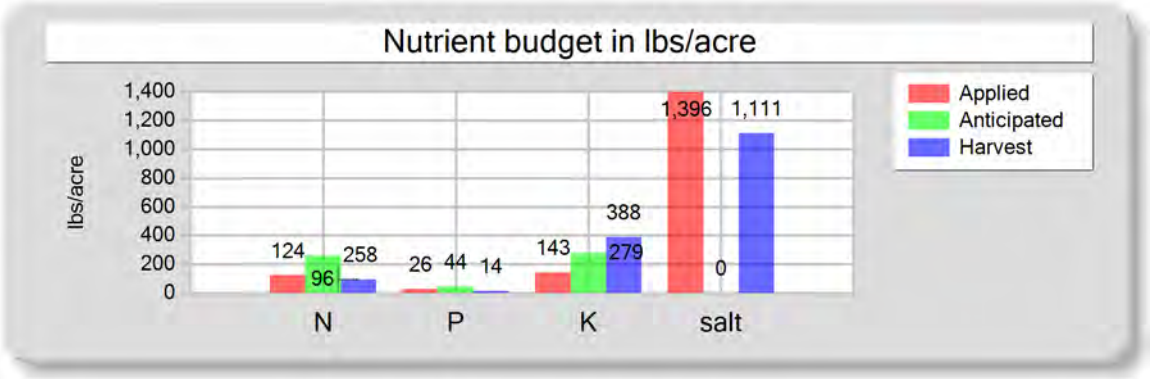


| | Total N (lbs/acre) | Total P (lbs/acre) | Total K (lbs/acre) | Total salt (lbs/acre) |
|---|---|---|---|---|
| Existing soil nutrient content | 0.00 | 0.00 | 0.00 | 0.00 |
| Plowdown credit | 0.00 | 0.00 | 0.00 | 0.00 |
| Commercial fertilizer / Other | 36.80 | 0.00 | 0.00 | 0.00 |
| Dry manure | 72.92 | 25.81 | 142.81 | 1,158.79 |
| Process wastewater | 0.00 | 0.00 | 0.00 | 0.00 |
| Fresh water | 0.00 | 0.00 | 0.00 | 237.29 |
| Atmospheric deposition | 14.00 | 0.00 | 0.00 | 0.00 |
| Total nutrients applied | 123.72 | 25.81 | 142.81 | 1,396.08 |
| Anticipated crop nutrient removal | 258.00 | 43.80 | 279.00 | 0.00 |
| Actual crop nutrient removal | 95.90 | 13.58 | 387.80 | 1,110.98 |
| Nutrient balance | 27.82 | 12.23 | -244.99 | 285.09 |
| Applied to removed ratio | 1.29 | 1.90 | 0.37 | 1.26 |

| Fresh water applied | |
|---|---|
| 18,956,620.00 | *gallons* |
| 698.11 | *acre-inches* |
| 38.78 | *inches/acre* |

| Process wastewater applied | |
|---|---|
| 0.00 | *gallons* |
| 0.00 | *acre-inches* |
| 0.00 | *inches/acre* |

| Total harvests for the crop | |
|---|---|
| 1 | *harvests* |

## 20 Vierra - 11/12/2022: Oats, silage-soft dough

Field name: 20 Vierra | Crop: Oats, silage-soft dough | Plant date: 11/12/2022

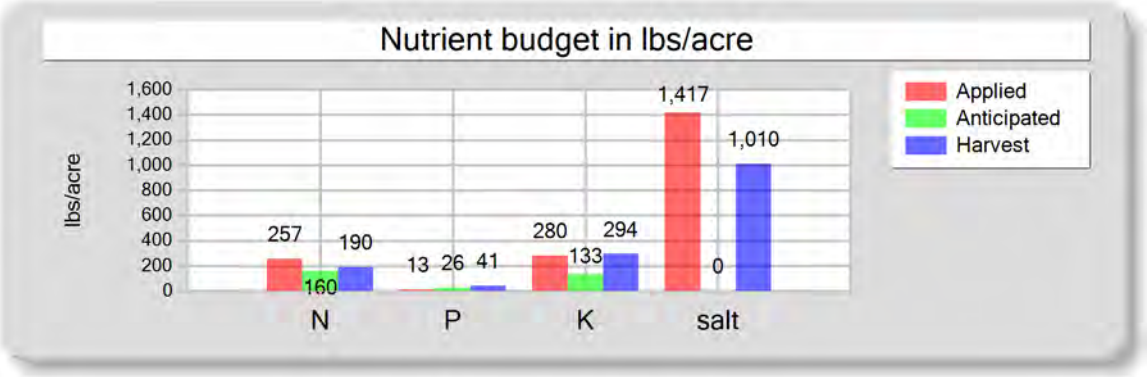


| | Total N (lbs/acre) | Total P (lbs/acre) | Total K (lbs/acre) | Total salt (lbs/acre) |
|---|---|---|---|---|
| Existing soil nutrient content | 0.00 | 0.00 | 0.00 | 0.00 |
| Plowdown credit | 0.00 | 0.00 | 0.00 | 0.00 |
| Commercial fertilizer / Other | 0.00 | 0.00 | 0.00 | 0.00 |
| Dry manure | 0.00 | 0.00 | 0.00 | 0.00 |
| Process wastewater | 249.58 | 12.88 | 279.68 | 1,377.15 |
| Fresh water | 0.00 | 0.00 | 0.00 | 39.46 |
| Atmospheric deposition | 7.00 | 0.00 | 0.00 | 0.00 |
| Total nutrients applied | 256.58 | 12.88 | 279.68 | 1,416.61 |
| Anticipated crop nutrient removal | 160.00 | 25.60 | 132.80 | 0.00 |
| Actual crop nutrient removal | 190.17 | 41.20 | 294.41 | 1,010.14 |
| Nutrient balance | 66.42 | -28.32 | -14.72 | 406.47 |
| Applied to removed ratio | 1.35 | 0.31 | 0.95 | 1.40 |

| Fresh water applied | |
|---|---|
| 26,325,000.00 | *gallons* |
| 969.46 | *acre-inches* |
| 13.10 | *inches/acre* |

| Process wastewater applied | |
|---|---|
| 2,500,726.00 | *gallons* |
| 92.09 | *acre-inches* |
| 1.24 | *inches/acre* |

| Total harvests for the crop | |
|---|---|
| 1 | *harvests* |

## 20 Vierra - 05/30/2023: Corn, silage

Field name: 20 Vierra  Crop: Corn, silage  Plant date: 05/30/2023

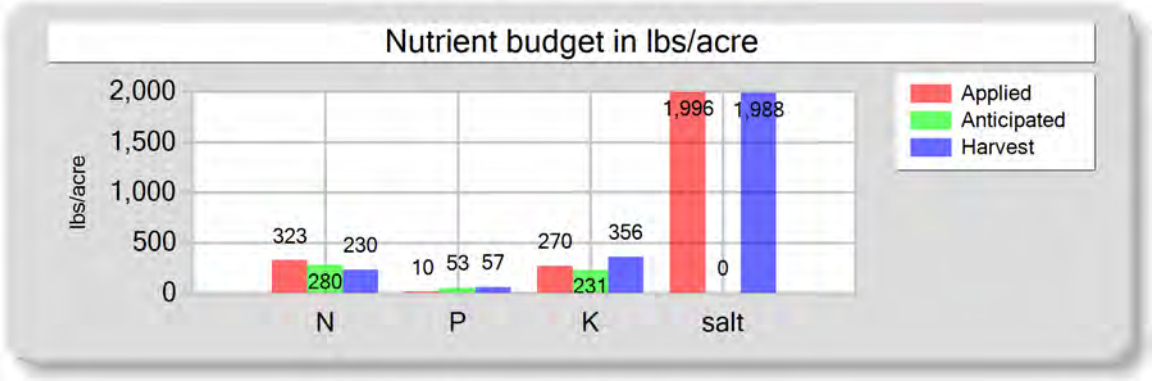


| | Total N (lbs/acre) | Total P (lbs/acre) | Total K (lbs/acre) | Total salt (lbs/acre) |
|---|---|---|---|---|
| Existing soil nutrient content | 0.00 | 0.00 | 0.00 | 0.00 |
| Plowdown credit | 0.00 | 0.00 | 0.00 | 0.00 |
| Commercial fertilizer / Other | 0.00 | 0.00 | 0.00 | 0.00 |
| Dry manure | 0.00 | 0.00 | 0.00 | 0.00 |
| Process wastewater | 316.38 | 10.34 | 270.16 | 1,724.87 |
| Fresh water | 0.00 | 0.00 | 0.00 | 271.29 |
| Atmospheric deposition | 7.00 | 0.00 | 0.00 | 0.00 |
| Total nutrients applied | 323.38 | 10.34 | 270.16 | 1,996.16 |
| Anticipated crop nutrient removal | 280.00 | 52.50 | 231.00 | 0.00 |
| Actual crop nutrient removal | 230.05 | 57.02 | 356.02 | 1,988.12 |
| Nutrient balance | 93.33 | -46.68 | -85.86 | 8.03 |
| Applied to removed ratio | 1.41 | 0.18 | 0.76 | 1.00 |

| Fresh water applied | |
|---|---|
| 89,100,000.00 | *gallons* |
| 3,281.25 | *acre-inches* |
| 44.34 | *inches/acre* |

| Process wastewater applied | |
|---|---|
| 2,688,888.00 | *gallons* |
| 99.02 | *acre-inches* |
| 1.34 | *inches/acre* |

| Total harvests for the crop | |
|---|---|
| 1 | *harvests* |

## 21 Costa - 02/01/1997: Almond Field Run

Field name: 21 Costa | Crop: Almond Field Run | Plant date: 02/01/1997

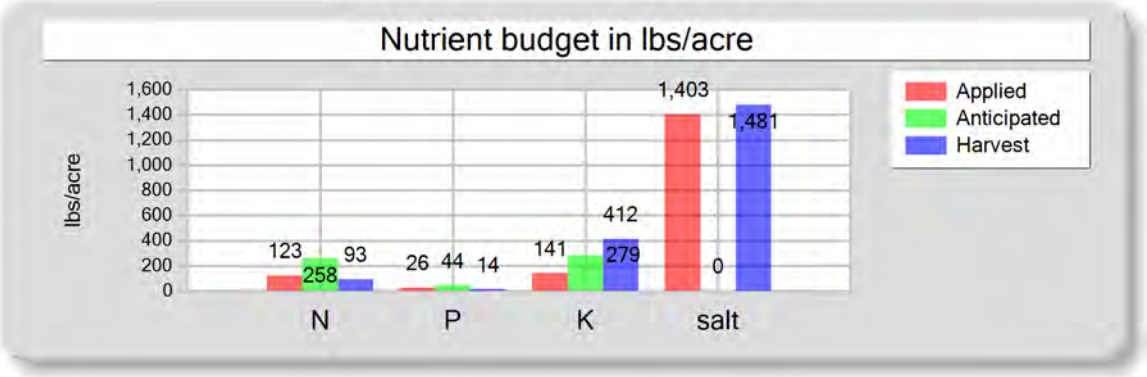


| | Total N (lbs/acre) | Total P (lbs/acre) | Total K (lbs/acre) | Total salt (lbs/acre) |
|---|---|---|---|---|
| Existing soil nutrient content | 0.00 | 0.00 | 0.00 | 0.00 |
| Plowdown credit | 0.00 | 0.00 | 0.00 | 0.00 |
| Commercial fertilizer / Other | 36.80 | 0.00 | 0.00 | 0.00 |
| Dry manure | 72.11 | 25.52 | 141.24 | 1,146.05 |
| Process wastewater | 0.00 | 0.00 | 0.00 | 0.00 |
| Fresh water | 0.00 | 0.00 | 0.00 | 256.63 |
| Atmospheric deposition | 14.00 | 0.00 | 0.00 | 0.00 |
| Total nutrients applied | 122.91 | 25.52 | 141.24 | 1,402.68 |
| Anticipated crop nutrient removal | 258.00 | 43.80 | 279.00 | 0.00 |
| Actual crop nutrient removal | 93.18 | 13.94 | 412.00 | 1,480.92 |
| Nutrient balance | 29.74 | 11.58 | -270.76 | -78.24 |
| Applied to removed ratio | 1.32 | 1.83 | 0.34 | 0.95 |

| Fresh water applied | |
|---|---|
| 59,226,450.00 | *gallons* |
| 2,181.11 | *acre-inches* |
| 41.94 | *inches/acre* |

| Process wastewater applied | |
|---|---|
| 0.00 | *gallons* |
| 0.00 | *acre-inches* |
| 0.00 | *inches/acre* |

| Total harvests for the crop | |
|---|---|
| 1 | *harvests* |

## 22 Soderstrom - 02/01/1998: Almond Field Run

Field name: 22 Soderstrom  Crop: Almond Field Run  Plant date: 02/01/1998

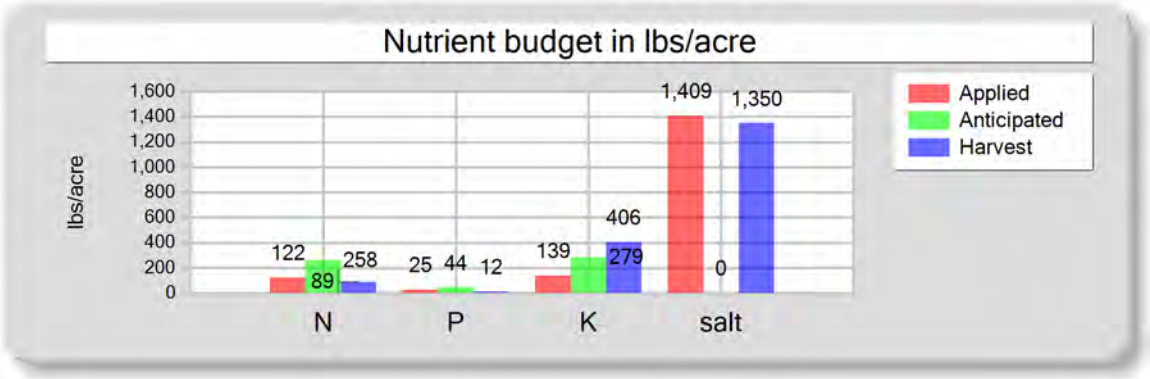


| | Total N (lbs/acre) | Total P (lbs/acre) | Total K (lbs/acre) | Total salt (lbs/acre) |
|---|---|---|---|---|
| Existing soil nutrient content | 0.00 | 0.00 | 0.00 | 0.00 |
| Plowdown credit | 0.00 | 0.00 | 0.00 | 0.00 |
| Commercial fertilizer / Other | 36.80 | 0.00 | 0.00 | 0.00 |
| Dry manure | 70.95 | 25.11 | 138.95 | 1,127.47 |
| Process wastewater | 0.00 | 0.00 | 0.00 | 0.00 |
| Fresh water | 0.00 | 0.00 | 0.00 | 281.76 |
| Atmospheric deposition | 14.00 | 0.00 | 0.00 | 0.00 |
| Total nutrients applied | 121.75 | 25.11 | 138.95 | 1,409.23 |
| Anticipated crop nutrient removal | 258.00 | 43.80 | 279.00 | 0.00 |
| Actual crop nutrient removal | 88.95 | 12.46 | 405.62 | 1,350.02 |
| Nutrient balance | 32.80 | 12.65 | -266.68 | 59.21 |
| Applied to removed ratio | 1.37 | 2.02 | 0.34 | 1.04 |

| Fresh water applied | |
|---|---|
| 46,269,220.00 | *gallons* |
| 1,703.94 | *acre-inches* |
| 46.05 | *inches/acre* |

| Process wastewater applied | |
|---|---|
| 0.00 | *gallons* |
| 0.00 | *acre-inches* |
| 0.00 | *inches/acre* |

| Total harvests for the crop | |
|---|---|
| 1 | *harvests* |

## 23 John's Zeering - 02/01/2015: Almond Field Run

Field name: 23 John's Zeering  Crop: Almond Field Run  Plant date: 02/01/2015

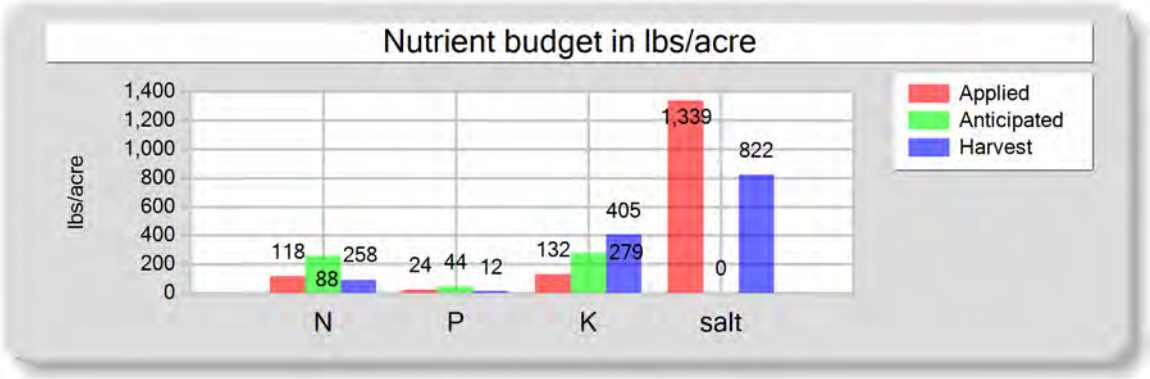


| | Total N (lbs/acre) | Total P (lbs/acre) | Total K (lbs/acre) | Total salt (lbs/acre) |
|---|---|---|---|---|
| Existing soil nutrient content | 0.00 | 0.00 | 0.00 | 0.00 |
| Plowdown credit | 0.00 | 0.00 | 0.00 | 0.00 |
| Commercial fertilizer / Other | 36.80 | 0.00 | 0.00 | 0.00 |
| Dry manure | 67.31 | 23.82 | 131.82 | 1,069.65 |
| Process wastewater | 0.00 | 0.00 | 0.00 | 0.00 |
| Fresh water | 0.00 | 0.00 | 0.00 | 269.22 |
| Atmospheric deposition | 14.00 | 0.00 | 0.00 | 0.00 |
| Total nutrients applied | 118.11 | 23.82 | 131.82 | 1,338.87 |
| Anticipated crop nutrient removal | 258.00 | 43.80 | 279.00 | 0.00 |
| Actual crop nutrient removal | 87.61 | 11.96 | 404.93 | 822.21 |
| Nutrient balance | 30.49 | 11.86 | -273.11 | 516.66 |
| Applied to removed ratio | 1.35 | 1.99 | 0.33 | 1.63 |

| Fresh water applied | |
|---|---|
| 46,599,210.00 | *gallons* |
| 1,716.09 | *acre-inches* |
| 44.00 | *inches/acre* |

| Process wastewater applied | |
|---|---|
| 0.00 | *gallons* |
| 0.00 | *acre-inches* |
| 0.00 | *inches/acre* |

| Total harvests for the crop | |
|---|---|
| 1 | *harvests* |

## 24 John's Washington - 02/01/2009: Almond Field Run

Field name: 24 John's Washington  Crop: Almond Field Run  Plant date: 02/01/2009

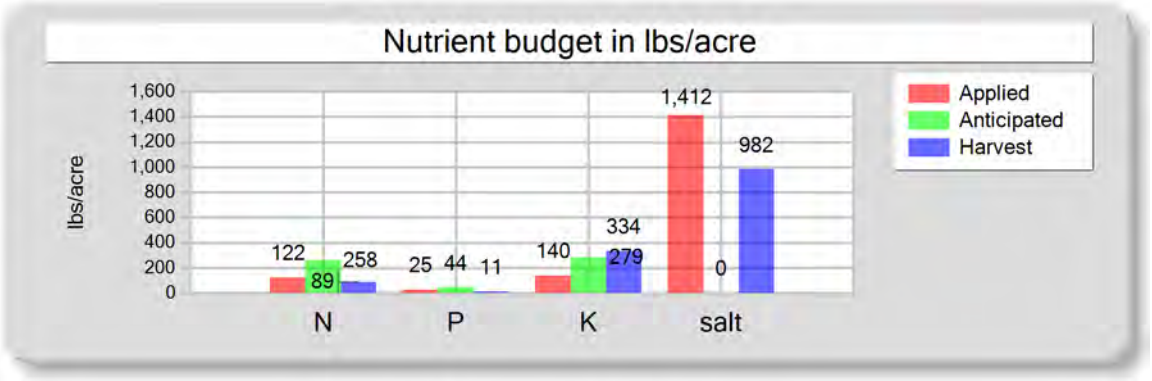


| | Total N (lbs/acre) | Total P (lbs/acre) | Total K (lbs/acre) | Total salt (lbs/acre) |
|---|---|---|---|---|
| Existing soil nutrient content | 0.00 | 0.00 | 0.00 | 0.00 |
| Plowdown credit | 0.00 | 0.00 | 0.00 | 0.00 |
| Commercial fertilizer / Other | 36.80 | 0.00 | 0.00 | 0.00 |
| Dry manure | 71.43 | 25.28 | 139.89 | 1,135.14 |
| Process wastewater | 0.00 | 0.00 | 0.00 | 0.00 |
| Fresh water | 0.00 | 0.00 | 0.00 | 276.96 |
| Atmospheric deposition | 14.00 | 0.00 | 0.00 | 0.00 |
| Total nutrients applied | 122.23 | 25.28 | 139.89 | 1,412.10 |
| Anticipated crop nutrient removal | 258.00 | 43.80 | 279.00 | 0.00 |
| Actual crop nutrient removal | 88.90 | 10.97 | 333.67 | 981.91 |
| Nutrient balance | 33.33 | 14.31 | -193.77 | 430.19 |
| Applied to removed ratio | 1.37 | 2.31 | 0.42 | 1.44 |

| Fresh water applied | |
|---|---|
| 51,626,960.00 | *gallons* |
| 1,901.25 | *acre-inches* |
| 45.27 | *inches/acre* |

| Process wastewater applied | |
|---|---|
| 0.00 | *gallons* |
| 0.00 | *acre-inches* |
| 0.00 | *inches/acre* |

| Total harvests for the crop | |
|---|---|
| 1 | *harvests* |

## 25 John's Dairy - 02/01/2009: Almond Field Run

Field name: 25 John's Dairy  Crop: Almond Field Run  Plant date: 02/01/2009

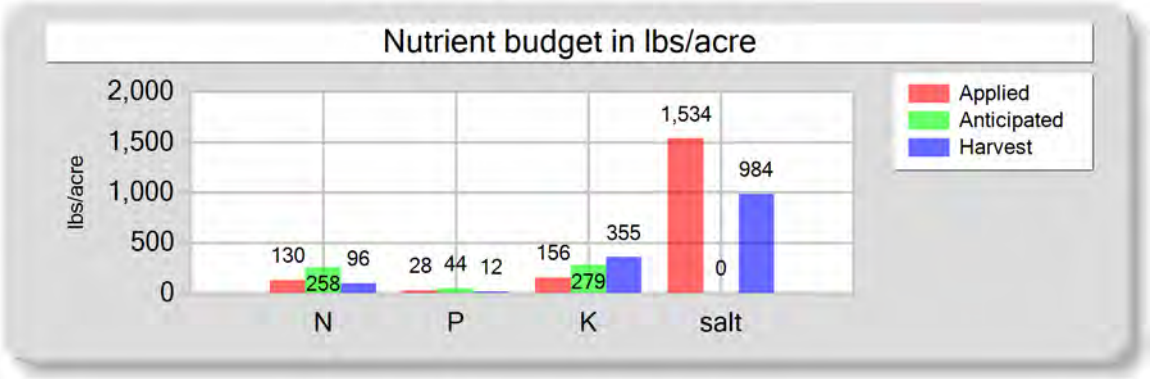


| | Total N (lbs/acre) | Total P (lbs/acre) | Total K (lbs/acre) | Total salt (lbs/acre) |
|---|---|---|---|---|
| Existing soil nutrient content | 0.00 | 0.00 | 0.00 | 0.00 |
| Plowdown credit | 0.00 | 0.00 | 0.00 | 0.00 |
| Commercial fertilizer / Other | 36.80 | 0.00 | 0.00 | 0.00 |
| Dry manure | 79.54 | 28.15 | 155.79 | 1,264.13 |
| Process wastewater | 0.00 | 0.00 | 0.00 | 0.00 |
| Fresh water | 0.00 | 0.00 | 0.00 | 269.68 |
| Atmospheric deposition | 14.00 | 0.00 | 0.00 | 0.00 |
| Total nutrients applied | 130.34 | 28.15 | 155.79 | 1,533.82 |
| Anticipated crop nutrient removal | 258.00 | 43.80 | 279.00 | 0.00 |
| Actual crop nutrient removal | 95.65 | 12.47 | 354.73 | 983.62 |
| Nutrient balance | 34.69 | 15.69 | -198.94 | 550.20 |
| Applied to removed ratio | 1.36 | 2.26 | 0.44 | 1.56 |

| Fresh water applied | |
|---|---|
| 39,498,490.00 | *gallons* |
| 1,454.60 | *acre-inches* |
| 44.08 | *inches/acre* |

| Process wastewater applied | |
|---|---|
| 0.00 | *gallons* |
| 0.00 | *acre-inches* |
| 0.00 | *inches/acre* |

| Total harvests for the crop | |
|---|---|
| 1 | *harvests* |

## 26 Fulkerth - 02/01/2003: Almond Field Run

Field name: 26 Fulkerth  Crop: Almond Field Run  Plant date: 02/01/2003

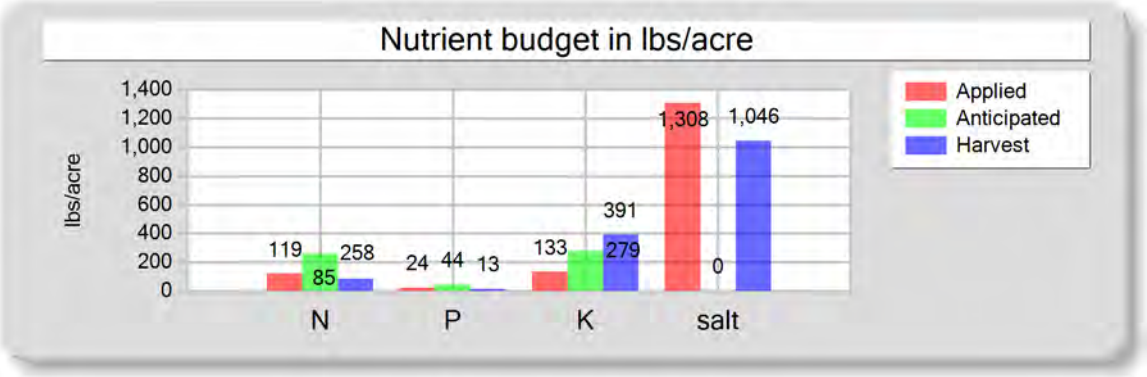


| | Total N (lbs/acre) | Total P (lbs/acre) | Total K (lbs/acre) | Total salt (lbs/acre) |
|---|---|---|---|---|
| Existing soil nutrient content | 0.00 | 0.00 | 0.00 | 0.00 |
| Plowdown credit | 0.00 | 0.00 | 0.00 | 0.00 |
| Commercial fertilizer / Other | 36.80 | 0.00 | 0.00 | 0.00 |
| Dry manure | 67.71 | 23.96 | 132.61 | 1,076.02 |
| Process wastewater | 0.00 | 0.00 | 0.00 | 0.00 |
| Fresh water | 0.00 | 0.00 | 0.00 | 232.42 |
| Atmospheric deposition | 14.00 | 0.00 | 0.00 | 0.00 |
| Total nutrients applied | 118.51 | 23.96 | 132.61 | 1,308.43 |
| Anticipated crop nutrient removal | 258.00 | 43.80 | 279.00 | 0.00 |
| Actual crop nutrient removal | 85.17 | 13.07 | 390.92 | 1,045.94 |
| Nutrient balance | 33.33 | 10.89 | -258.32 | 262.49 |
| Applied to removed ratio | 1.39 | 1.83 | 0.34 | 1.25 |

| Fresh water applied | |
|---|---|
| 38,562,690.00 | *gallons* |
| 1,420.13 | *acre-inches* |
| 39.45 | *inches/acre* |

| Process wastewater applied | |
|---|---|
| 0.00 | *gallons* |
| 0.00 | *acre-inches* |
| 0.00 | *inches/acre* |

| Total harvests for the crop | |
|---|---|
| 1 | *harvests* |

## 27 Fransil - 02/01/2002: Almond Field Run

Field name: 27 Fransil | Crop: Almond Field Run | Plant date: 02/01/2002

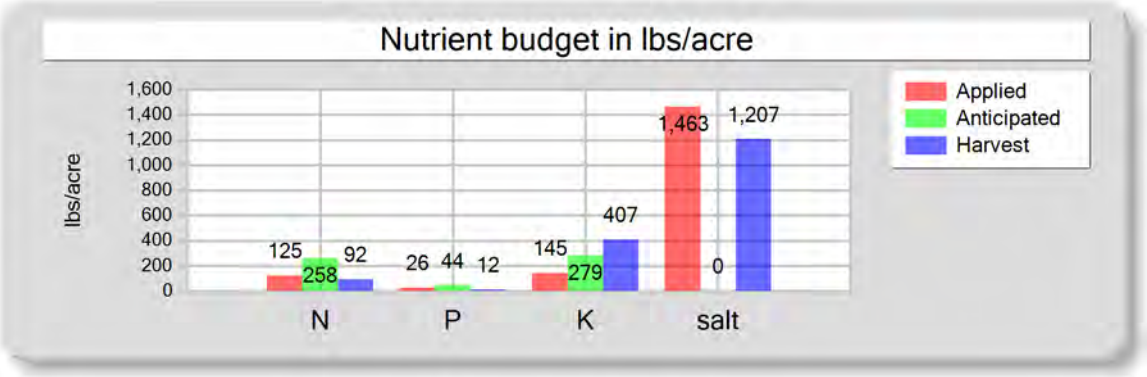


| | Total N (lbs/acre) | Total P (lbs/acre) | Total K (lbs/acre) | Total salt (lbs/acre) |
|---|---|---|---|---|
| Existing soil nutrient content | 0.00 | 0.00 | 0.00 | 0.00 |
| Plowdown credit | 0.00 | 0.00 | 0.00 | 0.00 |
| Commercial fertilizer / Other | 36.80 | 0.00 | 0.00 | 0.00 |
| Dry manure | 74.01 | 26.20 | 144.95 | 1,176.21 |
| Process wastewater | 0.00 | 0.00 | 0.00 | 0.00 |
| Fresh water | 0.00 | 0.00 | 0.00 | 286.93 |
| Atmospheric deposition | 14.00 | 0.00 | 0.00 | 0.00 |
| Total nutrients applied | 124.81 | 26.20 | 144.95 | 1,463.15 |
| Anticipated crop nutrient removal | 258.00 | 43.80 | 279.00 | 0.00 |
| Actual crop nutrient removal | 92.07 | 11.75 | 406.75 | 1,207.25 |
| Nutrient balance | 32.74 | 14.45 | -261.80 | 255.90 |
| Applied to removed ratio | 1.36 | 2.23 | 0.36 | 1.21 |

| Fresh water applied | |
|---|---|
| 50,253,260.00 | *gallons* |
| 1,850.66 | *acre-inches* |
| 48.70 | *inches/acre* |

| Process wastewater applied | |
|---|---|
| 0.00 | *gallons* |
| 0.00 | *acre-inches* |
| 0.00 | *inches/acre* |

| Total harvests for the crop | |
|---|---|
| 1 | *harvests* |

## 28 Crowslanding - 02/01/2000: Almond Field Run

Field name: 28 Crowslanding Crop: Almond Field Run Plant date: 02/01/2000

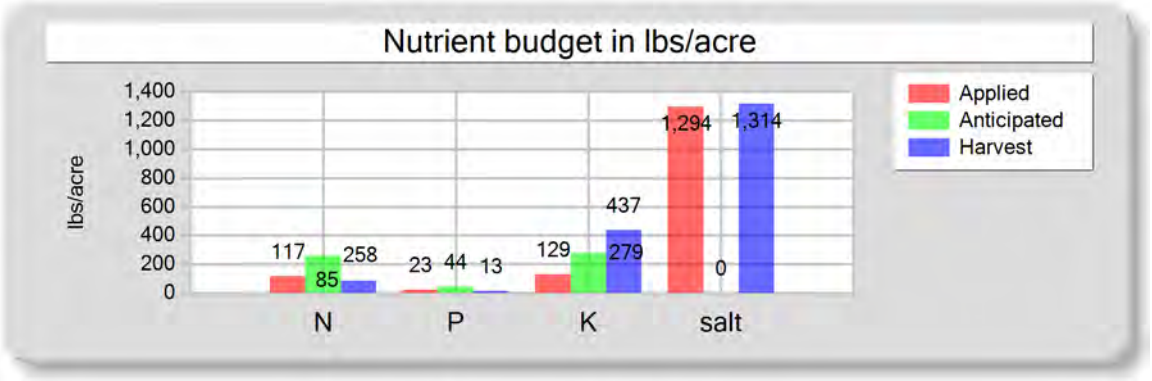


| | Total N (lbs/acre) | Total P (lbs/acre) | Total K (lbs/acre) | Total salt (lbs/acre) |
|---|---|---|---|---|
| Existing soil nutrient content | 0.00 | 0.00 | 0.00 | 0.00 |
| Plowdown credit | 0.00 | 0.00 | 0.00 | 0.00 |
| Commercial fertilizer / Other | 36.80 | 0.00 | 0.00 | 0.00 |
| Dry manure | 65.88 | 23.32 | 129.02 | 1,046.94 |
| Process wastewater | 0.00 | 0.00 | 0.00 | 0.00 |
| Fresh water | 0.00 | 0.00 | 0.00 | 247.56 |
| Atmospheric deposition | 14.00 | 0.00 | 0.00 | 0.00 |
| Total nutrients applied | 116.68 | 23.32 | 129.02 | 1,294.50 |
| Anticipated crop nutrient removal | 258.00 | 43.80 | 279.00 | 0.00 |
| Actual crop nutrient removal | 84.96 | 12.74 | 436.53 | 1,314.31 |
| Nutrient balance | 31.72 | 10.57 | -307.51 | -19.81 |
| Applied to removed ratio | 1.37 | 1.83 | 0.30 | 0.98 |

| Fresh water applied | |
|---|---|
| 42,216,691.00 | *gallons* |
| 1,554.70 | *acre-inches* |
| 42.02 | *inches/acre* |

| Process wastewater applied | |
|---|---|
| 0.00 | *gallons* |
| 0.00 | *acre-inches* |
| 0.00 | *inches/acre* |

| Total harvests for the crop | |
|---|---|
| 1 | *harvests* |

## 29 Railroad - 02/01/2007: Almond Field Run

Field name: 29 Railroad | Crop: Almond Field Run | Plant date: 02/01/2007

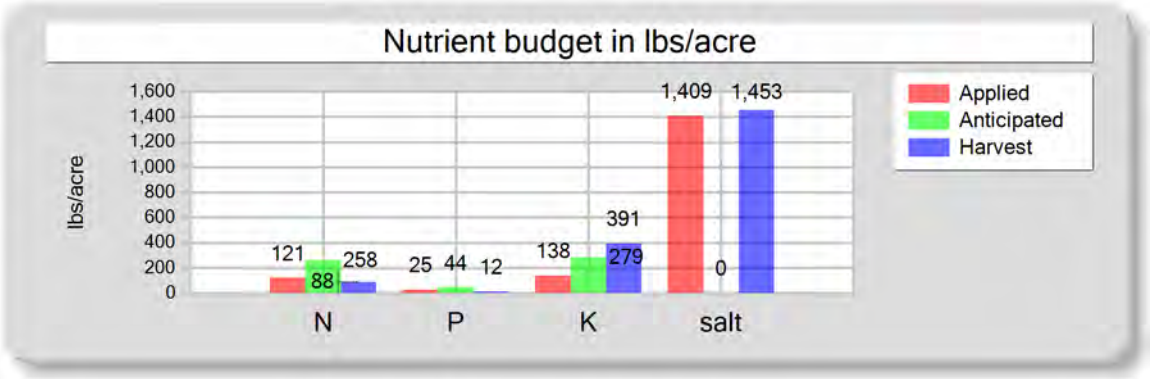


| | Total N (lbs/acre) | Total P (lbs/acre) | Total K (lbs/acre) | Total salt (lbs/acre) |
|---|---|---|---|---|
| Existing soil nutrient content | 0.00 | 0.00 | 0.00 | 0.00 |
| Plowdown credit | 0.00 | 0.00 | 0.00 | 0.00 |
| Commercial fertilizer / Other | 36.80 | 0.00 | 0.00 | 0.00 |
| Dry manure | 70.31 | 24.89 | 137.71 | 1,117.40 |
| Process wastewater | 0.00 | 0.00 | 0.00 | 0.00 |
| Fresh water | 0.00 | 0.00 | 0.00 | 291.67 |
| Atmospheric deposition | 14.00 | 0.00 | 0.00 | 0.00 |
| Total nutrients applied | 121.11 | 24.89 | 137.71 | 1,409.07 |
| Anticipated crop nutrient removal | 258.00 | 43.80 | 279.00 | 0.00 |
| Actual crop nutrient removal | 88.26 | 11.76 | 391.48 | 1,452.50 |
| Nutrient balance | 32.86 | 13.13 | -253.78 | -43.43 |
| Applied to removed ratio | 1.37 | 2.12 | 0.35 | 0.97 |

| Fresh water applied | |
|---|---|
| 32,262,690.00 | *gallons* |
| 1,188.13 | *acre-inches* |
| 49.51 | *inches/acre* |

| Process wastewater applied | |
|---|---|
| 0.00 | *gallons* |
| 0.00 | *acre-inches* |
| 0.00 | *inches/acre* |

| Total harvests for the crop | |
|---|---|
| 1 | *harvests* |

## 3 Berryhill West - 11/02/2022: Oats, silage-soft dough

Field name: 3 Berryhill West  Crop: Oats, silage-soft dough  Plant date: 11/02/2022

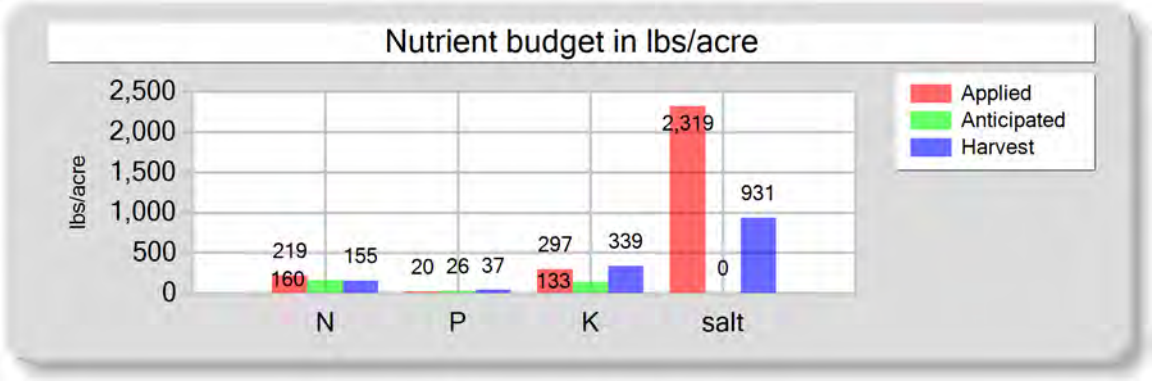


| | Total N (lbs/acre) | Total P (lbs/acre) | Total K (lbs/acre) | Total salt (lbs/acre) |
|---|---|---|---|---|
| Existing soil nutrient content | 0.00 | 0.00 | 0.00 | 0.00 |
| Plowdown credit | 0.00 | 0.00 | 0.00 | 0.00 |
| Commercial fertilizer / Other | 0.00 | 0.00 | 0.00 | 0.00 |
| Dry manure | 0.00 | 0.00 | 0.00 | 0.00 |
| Process wastewater | 194.40 | 19.91 | 296.85 | 2,036.36 |
| Fresh water | 17.50 | 0.00 | 0.00 | 282.26 |
| Atmospheric deposition | 7.00 | 0.00 | 0.00 | 0.00 |
| Total nutrients applied | 218.90 | 19.91 | 296.85 | 2,318.61 |
| Anticipated crop nutrient removal | 160.00 | 25.60 | 132.80 | 0.00 |
| Actual crop nutrient removal | 155.23 | 37.41 | 338.73 | 930.79 |
| Nutrient balance | 63.68 | -17.49 | -41.88 | 1,387.83 |
| Applied to removed ratio | 1.41 | 0.53 | 0.88 | 2.49 |

| Fresh water applied | |
|---|---|
| 12,717,000.00 | *gallons* |
| 468.32 | *acre-inches* |
| 14.19 | *inches/acre* |

| Process wastewater applied | |
|---|---|
| 1,688,793.00 | *gallons* |
| 62.19 | *acre-inches* |
| 1.88 | *inches/acre* |

| Total harvests for the crop | |
|---|---|
| 1 | *harvests* |

## 3 Berryhill West - 06/04/2023: Corn, silage

Field name: 3 Berryhill West  Crop: Corn, silage  Plant date: 06/04/2023

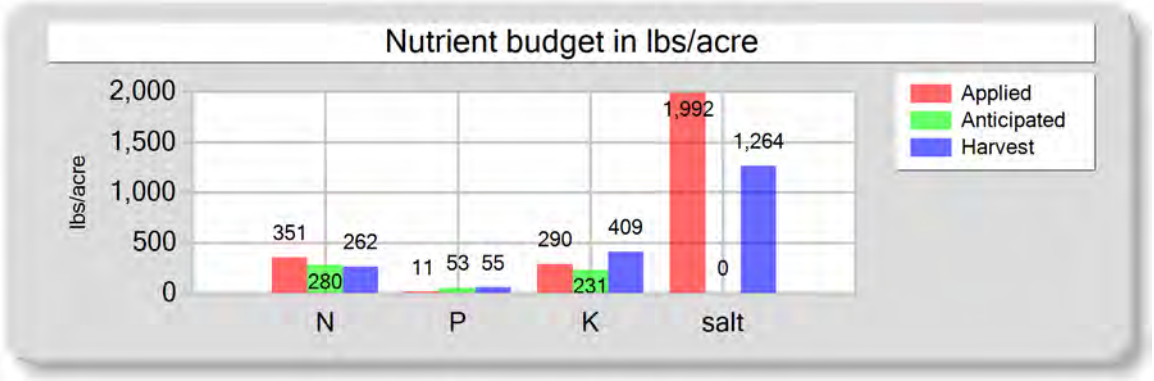


| | Total N (lbs/acre) | Total P (lbs/acre) | Total K (lbs/acre) | Total salt (lbs/acre) |
|---|---|---|---|---|
| Existing soil nutrient content | 0.00 | 0.00 | 0.00 | 0.00 |
| Plowdown credit | 0.00 | 0.00 | 0.00 | 0.00 |
| Commercial fertilizer / Other | 0.00 | 0.00 | 0.00 | 0.00 |
| Dry manure | 0.00 | 0.00 | 0.00 | 0.00 |
| Process wastewater | 344.00 | 10.96 | 289.70 | 1,734.13 |
| Fresh water | 0.00 | 0.00 | 0.00 | 257.86 |
| Atmospheric deposition | 7.00 | 0.00 | 0.00 | 0.00 |
| Total nutrients applied | 351.00 | 10.96 | 289.70 | 1,991.99 |
| Anticipated crop nutrient removal | 280.00 | 52.50 | 231.00 | 0.00 |
| Actual crop nutrient removal | 262.30 | 55.08 | 408.54 | 1,264.43 |
| Nutrient balance | 88.70 | -44.13 | -118.83 | 727.56 |
| Applied to removed ratio | 1.34 | 0.20 | 0.71 | 1.58 |

| Fresh water applied | |
|---|---|
| 37,766,250.00 | *gallons* |
| 1,390.80 | *acre-inches* |
| 42.15 | *inches/acre* |

| Process wastewater applied | |
|---|---|
| 1,253,105.00 | *gallons* |
| 46.15 | *acre-inches* |
| 1.40 | *inches/acre* |

| Total harvests for the crop | |
|---|---|
| 1 | *harvests* |

## 30 Borba - 10/31/2022: Oats, silage-soft dough

Field name: 30 Borba | Crop: Oats, silage-soft dough | Plant date: 10/31/2022

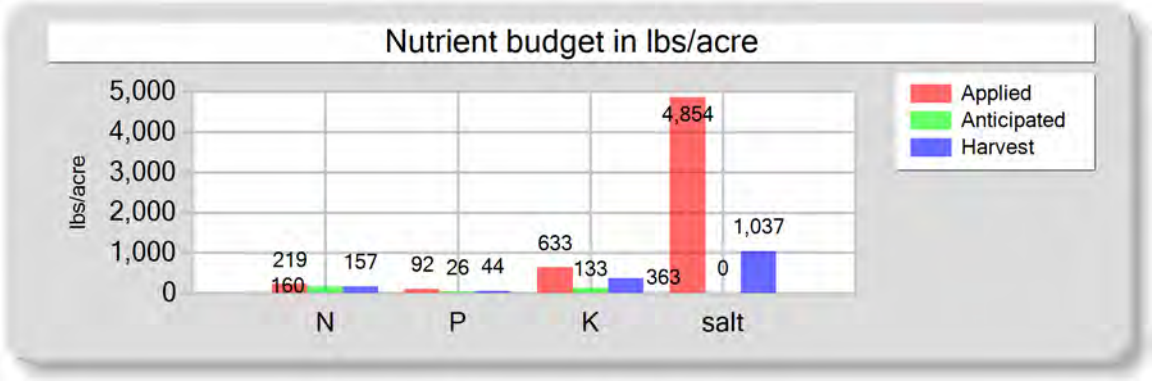


| | Total N (lbs/acre) | Total P (lbs/acre) | Total K (lbs/acre) | Total salt (lbs/acre) |
|---|---|---|---|---|
| Existing soil nutrient content | 0.00 | 0.00 | 0.00 | 0.00 |
| Plowdown credit | 0.00 | 0.00 | 0.00 | 0.00 |
| Commercial fertilizer / Other | 0.00 | 0.00 | 0.00 | 0.00 |
| Dry manure | 212.11 | 91.95 | 633.19 | 4,816.85 |
| Process wastewater | 0.00 | 0.00 | 0.00 | 0.00 |
| Fresh water | 0.00 | 0.00 | 0.00 | 36.68 |
| Atmospheric deposition | 7.00 | 0.00 | 0.00 | 0.00 |
| Total nutrients applied | 219.11 | 91.95 | 633.19 | 4,853.53 |
| Anticipated crop nutrient removal | 160.00 | 25.60 | 132.80 | 0.00 |
| Actual crop nutrient removal | 157.44 | 44.32 | 362.60 | 1,037.01 |
| Nutrient balance | 61.67 | 47.63 | 270.59 | 3,816.51 |
| Applied to removed ratio | 1.39 | 2.07 | 1.75 | 4.68 |

| Fresh water applied | |
|---|---|
| 38,880,000.00 | *gallons* |
| 1,431.82 | *acre-inches* |
| 12.45 | *inches/acre* |

| Process wastewater applied | |
|---|---|
| 0.00 | *gallons* |
| 0.00 | *acre-inches* |
| 0.00 | *inches/acre* |

| Total harvests for the crop | |
|---|---|
| 1 | *harvests* |

30 Borba - 05/29/2023: Corn, silage

Field name: 30 Borba  Crop: Corn, silage  Plant date: 05/29/2023

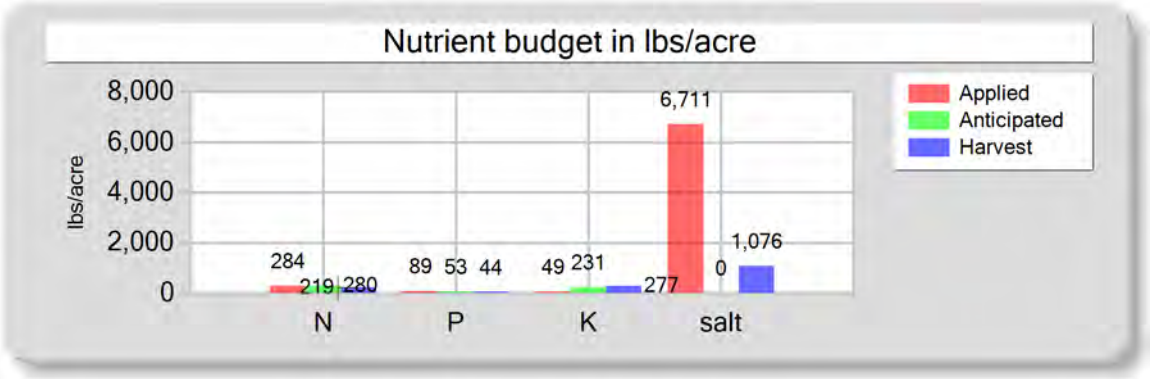


| | Total N (lbs/acre) | Total P (lbs/acre) | Total K (lbs/acre) | Total salt (lbs/acre) |
|---|---|---|---|---|
| Existing soil nutrient content | 0.00 | 0.00 | 0.00 | 0.00 |
| Plowdown credit | 0.00 | 0.00 | 0.00 | 0.00 |
| Commercial fertilizer / Other | 0.00 | 0.00 | 0.00 | 0.00 |
| Dry manure | 276.74 | 88.91 | 48.64 | 6,452.78 |
| Process wastewater | 0.00 | 0.00 | 0.00 | 0.00 |
| Fresh water | 0.00 | 0.00 | 0.00 | 258.27 |
| Atmospheric deposition | 7.00 | 0.00 | 0.00 | 0.00 |
| Total nutrients applied | 283.74 | 88.91 | 48.64 | 6,711.05 |
| Anticipated crop nutrient removal | 280.00 | 52.50 | 231.00 | 0.00 |
| Actual crop nutrient removal | 218.50 | 44.04 | 277.42 | 1,076.28 |
| Nutrient balance | 65.24 | 44.87 | -228.78 | 5,634.78 |
| Applied to removed ratio | 1.30 | 2.02 | 0.18 | 6.24 |

| Fresh water applied | |
|---|---|
| 136,890,000.00 | *gallons* |
| 5,041.19 | *acre-inches* |
| 43.84 | *inches/acre* |

| Process wastewater applied | |
|---|---|
| 0.00 | *gallons* |
| 0.00 | *acre-inches* |
| 0.00 | *inches/acre* |

| Total harvests for the crop | |
|---|---|
| 1 | *harvests* |

## 31 Costco - 02/01/2011: Almond Field Run

Field name: 31 Costco | Crop: Almond Field Run | Plant date: 02/01/2011

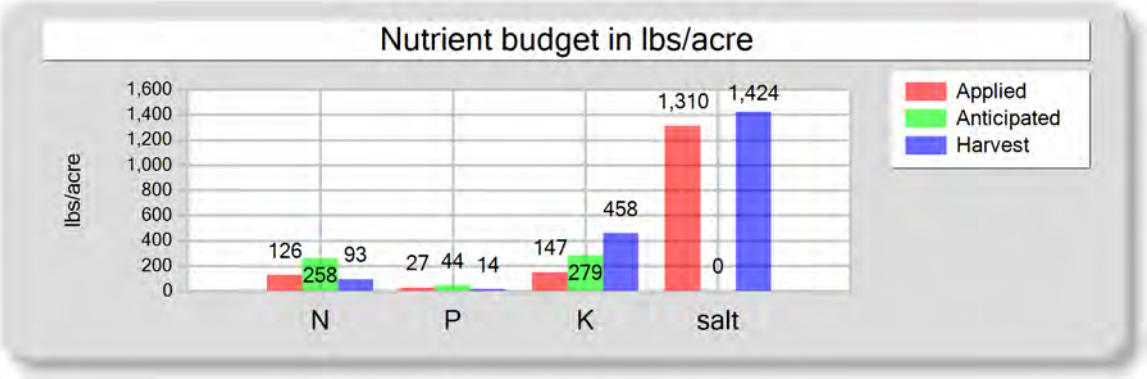


| | Total N (lbs/acre) | Total P (lbs/acre) | Total K (lbs/acre) | Total salt (lbs/acre) |
|---|---|---|---|---|
| Existing soil nutrient content | 0.00 | 0.00 | 0.00 | 0.00 |
| Plowdown credit | 0.00 | 0.00 | 0.00 | 0.00 |
| Commercial fertilizer / Other | 36.80 | 0.00 | 0.00 | 0.00 |
| Dry manure | 75.00 | 26.55 | 146.89 | 1,191.90 |
| Process wastewater | 0.00 | 0.00 | 0.00 | 0.00 |
| Fresh water | 0.00 | 0.00 | 0.00 | 118.29 |
| Atmospheric deposition | 14.00 | 0.00 | 0.00 | 0.00 |
| Total nutrients applied | 125.80 | 26.55 | 146.89 | 1,310.19 |
| Anticipated crop nutrient removal | 258.00 | 43.80 | 279.00 | 0.00 |
| Actual crop nutrient removal | 92.56 | 14.04 | 457.53 | 1,423.96 |
| Nutrient balance | 33.24 | 12.50 | -310.64 | -113.77 |
| Applied to removed ratio | 1.36 | 1.89 | 0.32 | 0.92 |

| Fresh water applied | |
|---|---|
| 23,625,640.00 | *gallons* |
| 870.05 | *acre-inches* |
| 43.50 | *inches/acre* |

| Process wastewater applied | |
|---|---|
| 0.00 | *gallons* |
| 0.00 | *acre-inches* |
| 0.00 | *inches/acre* |

| Total harvests for the crop | |
|---|---|
| 1 | *harvests* |

## 32 Trio - 10/24/2019: Almond Field Run

Field name: 32 Trio | Crop: Almond Field Run | Plant date: 10/24/2019

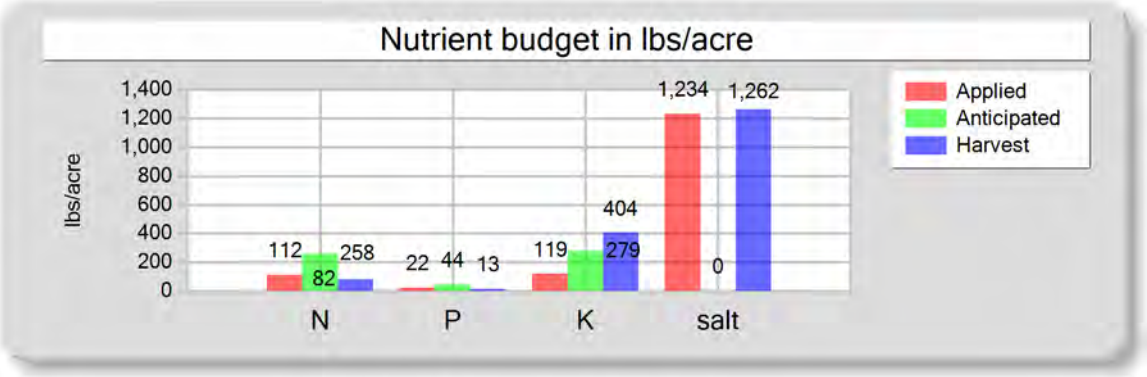


| | Total N (lbs/acre) | Total P (lbs/acre) | Total K (lbs/acre) | Total salt (lbs/acre) |
|---|---|---|---|---|
| Existing soil nutrient content | 0.00 | 0.00 | 0.00 | 0.00 |
| Plowdown credit | 0.00 | 0.00 | 0.00 | 0.00 |
| Commercial fertilizer / Other | 36.80 | 0.00 | 0.00 | 0.00 |
| Dry manure | 60.81 | 21.52 | 119.10 | 966.40 |
| Process wastewater | 0.00 | 0.00 | 0.00 | 0.00 |
| Fresh water | 0.00 | 0.00 | 0.00 | 267.31 |
| Atmospheric deposition | 14.00 | 0.00 | 0.00 | 0.00 |
| Total nutrients applied | 111.61 | 21.52 | 119.10 | 1,233.71 |
| Anticipated crop nutrient removal | 258.00 | 43.80 | 279.00 | 0.00 |
| Actual crop nutrient removal | 81.96 | 12.80 | 404.03 | 1,262.13 |
| Nutrient balance | 29.65 | 8.73 | -284.94 | -28.42 |
| Applied to removed ratio | 1.36 | 1.68 | 0.29 | 0.98 |

| Fresh water applied | |
|---|---|
| 43,895,910.00 | *gallons* |
| 1,616.54 | *acre-inches* |
| 43.69 | *inches/acre* |

| Process wastewater applied | |
|---|---|
| 0.00 | *gallons* |
| 0.00 | *acre-inches* |
| 0.00 | *inches/acre* |

| Total harvests for the crop | |
|---|---|
| 1 | *harvests* |

## 4 Berryhill North - 02/01/2016: Almond Field Run

Field name: 4 Berryhill North  Crop: Almond Field Run  Plant date: 02/01/2016

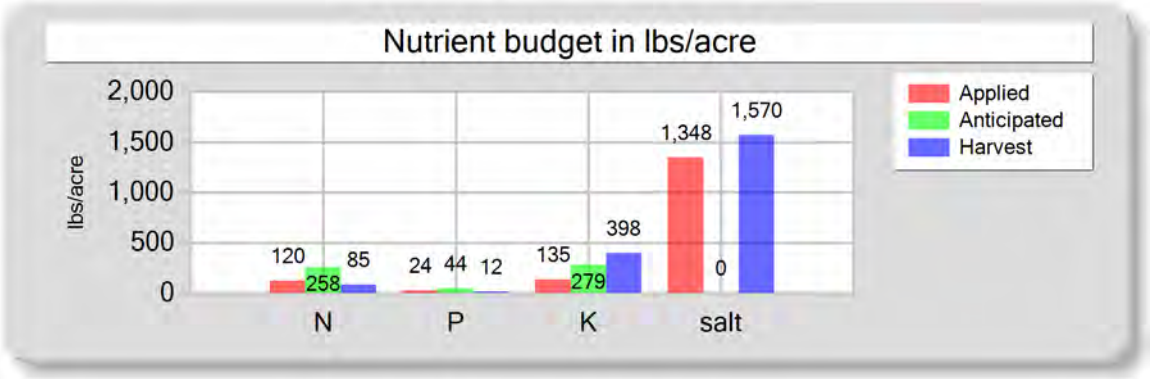


| | Total N (lbs/acre) | Total P (lbs/acre) | Total K (lbs/acre) | Total salt (lbs/acre) |
|---|---|---|---|---|
| Existing soil nutrient content | 0.00 | 0.00 | 0.00 | 0.00 |
| Plowdown credit | 0.00 | 0.00 | 0.00 | 0.00 |
| Commercial fertilizer / Other | 36.80 | 0.00 | 0.00 | 0.00 |
| Dry manure | 69.08 | 24.45 | 135.29 | 1,097.80 |
| Process wastewater | 0.00 | 0.00 | 0.00 | 0.00 |
| Fresh water | 0.00 | 0.00 | 0.00 | 250.59 |
| Atmospheric deposition | 14.00 | 0.00 | 0.00 | 0.00 |
| Total nutrients applied | 119.88 | 24.45 | 135.29 | 1,348.39 |
| Anticipated crop nutrient removal | 258.00 | 43.80 | 279.00 | 0.00 |
| Actual crop nutrient removal | 84.65 | 12.40 | 398.02 | 1,569.76 |
| Nutrient balance | 35.23 | 12.05 | -262.73 | -221.37 |
| Applied to removed ratio | 1.42 | 1.97 | 0.34 | 0.86 |

| Fresh water applied | |
|---|---|
| 42,262,930.00 | *gallons* |
| 1,556.40 | *acre-inches* |
| 40.96 | *inches/acre* |

| Process wastewater applied | |
|---|---|
| 0.00 | *gallons* |
| 0.00 | *acre-inches* |
| 0.00 | *inches/acre* |

| Total harvests for the crop | |
|---|---|
| 1 | *harvests* |

## 5 Berryhill - 02/01/2011: Almond Field Run

Field name: 5 Berryhill  Crop: Almond Field Run  Plant date: 02/01/2011

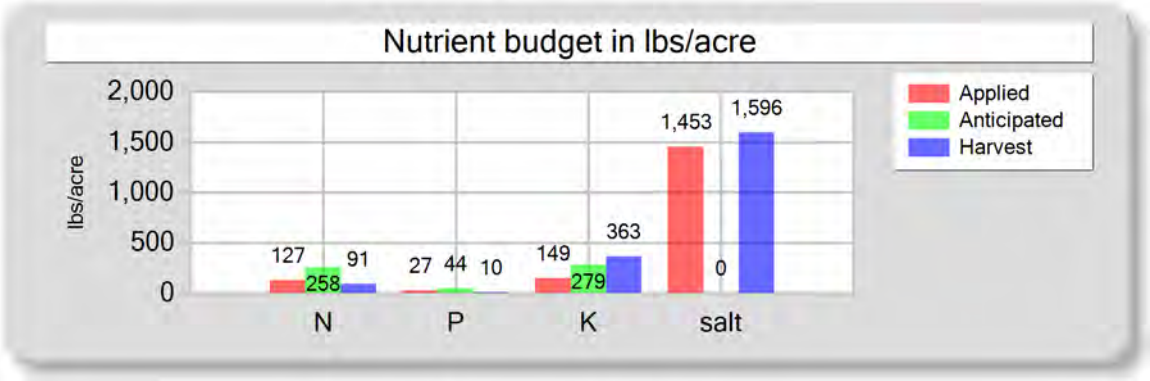


| | Total N (lbs/acre) | Total P (lbs/acre) | Total K (lbs/acre) | Total salt (lbs/acre) |
|---|---|---|---|---|
| Existing soil nutrient content | 0.00 | 0.00 | 0.00 | 0.00 |
| Plowdown credit | 0.00 | 0.00 | 0.00 | 0.00 |
| Commercial fertilizer / Other | 36.80 | 0.00 | 0.00 | 0.00 |
| Dry manure | 76.09 | 26.93 | 149.02 | 1,209.17 |
| Process wastewater | 0.00 | 0.00 | 0.00 | 0.00 |
| Fresh water | 0.00 | 0.00 | 0.00 | 243.81 |
| Atmospheric deposition | 14.00 | 0.00 | 0.00 | 0.00 |
| Total nutrients applied | 126.89 | 26.93 | 149.02 | 1,452.98 |
| Anticipated crop nutrient removal | 258.00 | 43.80 | 279.00 | 0.00 |
| Actual crop nutrient removal | 90.79 | 9.51 | 362.90 | 1,596.24 |
| Nutrient balance | 36.09 | 17.42 | -213.89 | -143.27 |
| Applied to removed ratio | 1.40 | 2.83 | 0.41 | 0.91 |

| Fresh water applied | |
|---|---|
| 74,662,960.00 | *gallons* |
| 2,749.58 | *acre-inches* |
| 39.85 | *inches/acre* |

| Process wastewater applied | |
|---|---|
| 0.00 | *gallons* |
| 0.00 | *acre-inches* |
| 0.00 | *inches/acre* |

| Total harvests for the crop | |
|---|---|
| 1 | *harvests* |

## 6 Drake-Roberts A - 11/02/2022: Oats, silage-soft dough

Field name: 6 Drake-Roberts A  Crop: Oats, silage-soft dough  Plant date: 11/02/2022

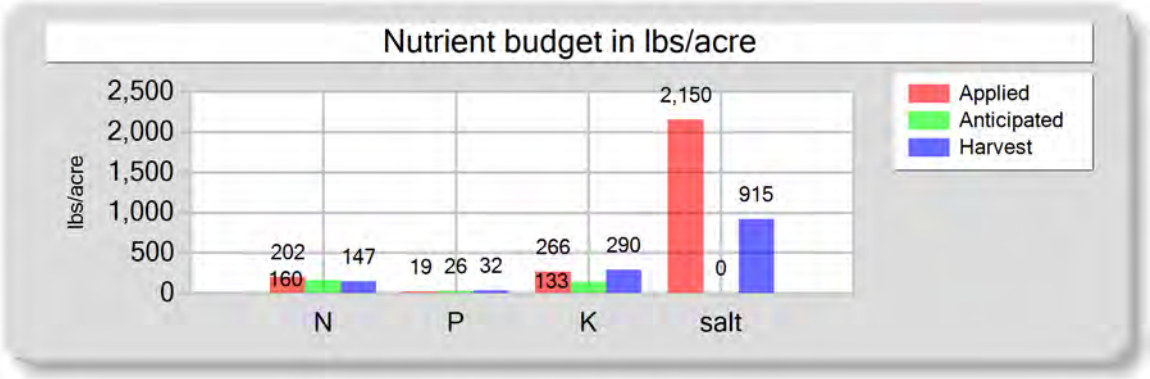


| | Total N (lbs/acre) | Total P (lbs/acre) | Total K (lbs/acre) | Total salt (lbs/acre) |
|---|---|---|---|---|
| Existing soil nutrient content | 0.00 | 0.00 | 0.00 | 0.00 |
| Plowdown credit | 0.00 | 0.00 | 0.00 | 0.00 |
| Commercial fertilizer / Other | 0.00 | 0.00 | 0.00 | 0.00 |
| Dry manure | 0.00 | 0.00 | 0.00 | 0.00 |
| Process wastewater | 178.49 | 18.56 | 265.71 | 1,887.28 |
| Fresh water | 16.04 | 0.00 | 0.00 | 262.54 |
| Atmospheric deposition | 7.00 | 0.00 | 0.00 | 0.00 |
| Total nutrients applied | 201.53 | 18.56 | 265.71 | 2,149.82 |
| Anticipated crop nutrient removal | 160.00 | 25.60 | 132.80 | 0.00 |
| Actual crop nutrient removal | 147.42 | 32.46 | 289.68 | 915.11 |
| Nutrient balance | 54.11 | -13.89 | -23.97 | 1,234.71 |
| Applied to removed ratio | 1.37 | 0.57 | 0.92 | 2.35 |

| Fresh water applied | |
|---|---|
| 4,711,500.00 | *gallons* |
| 173.51 | *acre-inches* |
| 14.46 | *inches/acre* |

| Process wastewater applied | |
|---|---|
| 581,934.00 | *gallons* |
| 21.43 | *acre-inches* |
| 1.79 | *inches/acre* |

| Total harvests for the crop | |
|---|---|
| 1 | *harvests* |

## 6 Drake-Roberts A - 06/04/2023: Corn, silage

Field name: 6 Drake-Roberts A  Crop: Corn, silage  Plant date: 06/04/2023

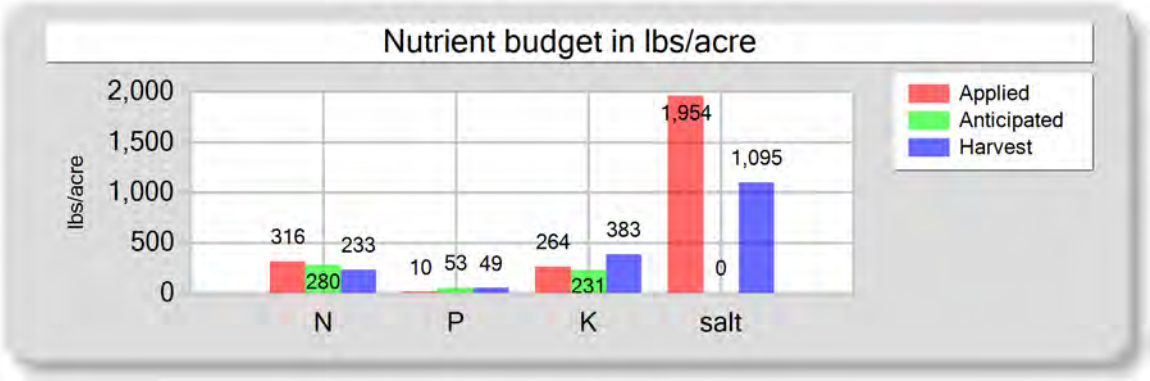


| | Total N (lbs/acre) | Total P (lbs/acre) | Total K (lbs/acre) | Total salt (lbs/acre) |
|---|---|---|---|---|
| Existing soil nutrient content | 0.00 | 0.00 | 0.00 | 0.00 |
| Plowdown credit | 0.00 | 0.00 | 0.00 | 0.00 |
| Commercial fertilizer / Other | 0.00 | 0.00 | 0.00 | 0.00 |
| Dry manure | 0.00 | 0.00 | 0.00 | 0.00 |
| Process wastewater | 308.65 | 10.14 | 264.43 | 1,712.94 |
| Fresh water | 0.00 | 0.00 | 0.00 | 241.44 |
| Atmospheric deposition | 7.00 | 0.00 | 0.00 | 0.00 |
| Total nutrients applied | 315.65 | 10.14 | 264.43 | 1,954.38 |
| Anticipated crop nutrient removal | 280.00 | 52.50 | 231.00 | 0.00 |
| Actual crop nutrient removal | 232.89 | 48.87 | 382.51 | 1,095.05 |
| Nutrient balance | 82.76 | -38.73 | -118.09 | 859.33 |
| Applied to removed ratio | 1.36 | 0.21 | 0.69 | 1.78 |

| Fresh water applied | |
|---|---|
| 12,858,750.00 | *gallons* |
| 473.54 | *acre-inches* |
| 39.46 | *inches/acre* |

| Process wastewater applied | |
|---|---|
| 429,325.00 | *gallons* |
| 15.81 | *acre-inches* |
| 1.32 | *inches/acre* |

| Total harvests for the crop | |
|---|---|
| 1 | *harvests* |

## 6 Drake-Roberts B - 02/01/1995: Almond Field Run

Field name: 6 Drake-Roberts B  Crop: Almond Field Run  Plant date: 02/01/1995

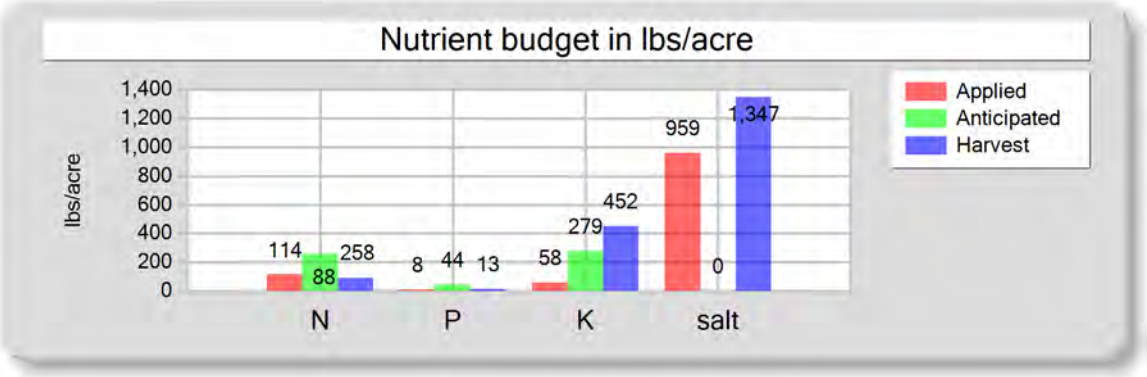


| | Total N (lbs/acre) | Total P (lbs/acre) | Total K (lbs/acre) | Total salt (lbs/acre) |
|---|---|---|---|---|
| Existing soil nutrient content | 0.00 | 0.00 | 0.00 | 0.00 |
| Plowdown credit | 0.00 | 0.00 | 0.00 | 0.00 |
| Commercial fertilizer / Other | 36.80 | 0.00 | 0.00 | 0.00 |
| Dry manure | 0.00 | 0.00 | 0.00 | 0.00 |
| Process wastewater | 63.23 | 8.07 | 57.54 | 762.96 |
| Fresh water | 0.00 | 0.00 | 0.00 | 195.81 |
| Atmospheric deposition | 14.00 | 0.00 | 0.00 | 0.00 |
| Total nutrients applied | 114.03 | 8.07 | 57.54 | 958.77 |
| Anticipated crop nutrient removal | 258.00 | 43.80 | 279.00 | 0.00 |
| Actual crop nutrient removal | 88.04 | 12.92 | 452.03 | 1,347.37 |
| Nutrient balance | 25.99 | -4.84 | -394.49 | -388.59 |
| Applied to removed ratio | 1.30 | 0.63 | 0.13 | 0.71 |

| Fresh water applied | |
|---|---|
| 24,502,500.00 | *gallons* |
| 902.34 | *acre-inches* |
| 37.60 | *inches/acre* |

| Process wastewater applied | |
|---|---|
| 606,148.00 | *gallons* |
| 22.32 | *acre-inches* |
| 0.93 | *inches/acre* |

| Total harvests for the crop | |
|---|---|
| 1 | *harvests* |

## 7 Kilber - 11/01/2022: Oats, silage-soft dough

Field name: 7 Kilber | Crop: Oats, silage-soft dough | Plant date: 11/01/2022

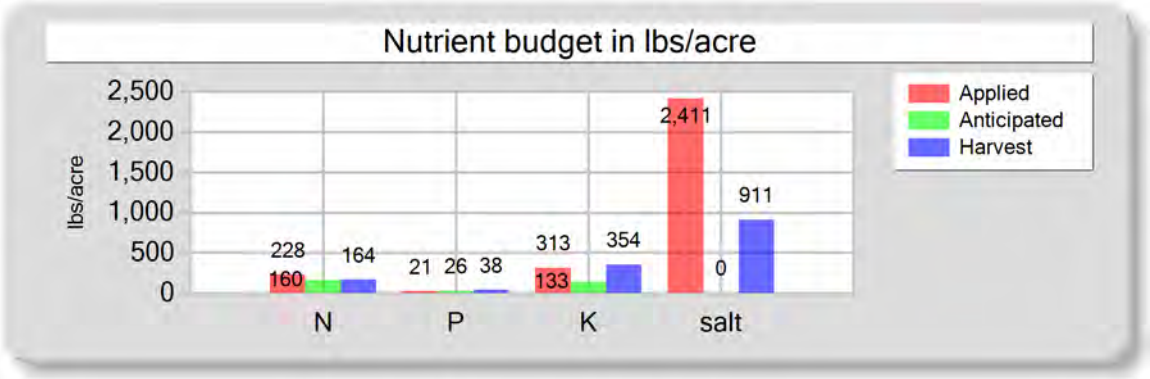


| | Total N (lbs/acre) | Total P (lbs/acre) | Total K (lbs/acre) | Total salt (lbs/acre) |
|---|---|---|---|---|
| Existing soil nutrient content | 0.00 | 0.00 | 0.00 | 0.00 |
| Plowdown credit | 0.00 | 0.00 | 0.00 | 0.00 |
| Commercial fertilizer / Other | 0.00 | 0.00 | 0.00 | 0.00 |
| Dry manure | 0.00 | 0.00 | 0.00 | 0.00 |
| Process wastewater | 205.73 | 21.14 | 312.59 | 2,159.07 |
| Fresh water | 15.20 | 0.00 | 0.00 | 252.32 |
| Atmospheric deposition | 7.00 | 0.00 | 0.00 | 0.00 |
| Total nutrients applied | 227.93 | 21.14 | 312.59 | 2,411.39 |
| Anticipated crop nutrient removal | 160.00 | 25.60 | 132.80 | 0.00 |
| Actual crop nutrient removal | 164.26 | 37.95 | 354.03 | 910.65 |
| Nutrient balance | 63.67 | -16.82 | -41.44 | 1,500.74 |
| Applied to removed ratio | 1.39 | 0.56 | 0.88 | 2.65 |

| Fresh water applied | |
|---|---|
| 15,147,000.00 | *gallons* |
| 557.81 | *acre-inches* |
| 14.68 | *inches/acre* |

| Process wastewater applied | |
|---|---|
| 2,071,098.00 | *gallons* |
| 76.27 | *acre-inches* |
| 2.01 | *inches/acre* |

| Total harvests for the crop | |
|---|---|
| 1 | *harvests* |

## 7 Kilber - 06/02/2023: Corn, silage

Field name: 7 Kilber | Crop: Corn, silage | Plant date: 06/02/2023

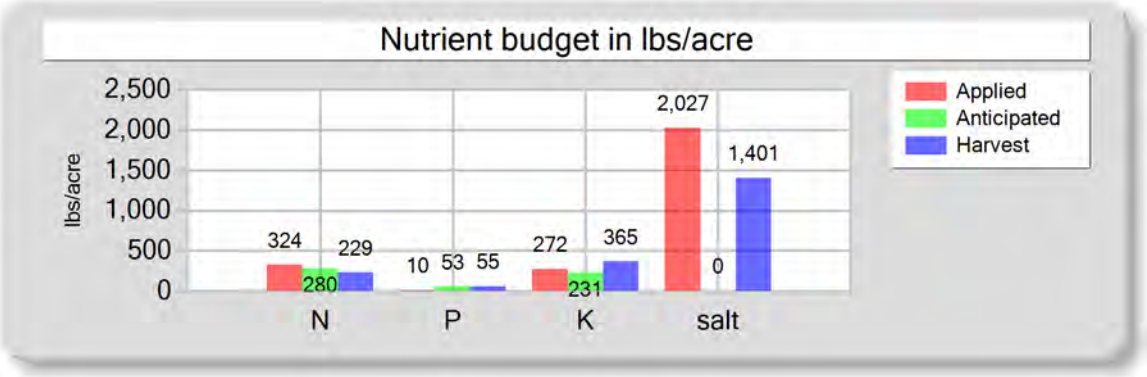


| | Total N (lbs/acre) | Total P (lbs/acre) | Total K (lbs/acre) | Total salt (lbs/acre) |
|---|---|---|---|---|
| Existing soil nutrient content | 0.00 | 0.00 | 0.00 | 0.00 |
| Plowdown credit | 0.00 | 0.00 | 0.00 | 0.00 |
| Commercial fertilizer / Other | 0.00 | 0.00 | 0.00 | 0.00 |
| Dry manure | 0.00 | 0.00 | 0.00 | 0.00 |
| Process wastewater | 317.20 | 10.47 | 272.45 | 1,784.81 |
| Fresh water | 0.00 | 0.00 | 0.00 | 242.54 |
| Atmospheric deposition | 7.00 | 0.00 | 0.00 | 0.00 |
| Total nutrients applied | 324.20 | 10.47 | 272.45 | 2,027.35 |
| Anticipated crop nutrient removal | 280.00 | 52.50 | 231.00 | 0.00 |
| Actual crop nutrient removal | 228.54 | 55.48 | 364.61 | 1,401.37 |
| Nutrient balance | 95.65 | -45.01 | -92.16 | 625.97 |
| Applied to removed ratio | 1.42 | 0.19 | 0.75 | 1.45 |

| Fresh water applied | |
|---|---|
| 40,905,000.00 | *gallons* |
| 1,506.39 | *acre-inches* |
| 39.64 | *inches/acre* |

| Process wastewater applied | |
|---|---|
| 1,407,269.00 | *gallons* |
| 51.82 | *acre-inches* |
| 1.36 | *inches/acre* |

| Total harvests for the crop | |
|---|---|
| 1 | *harvests* |

## 8 Enochs - 11/01/2022: Oats, silage-soft dough

Field name: 8 Enochs | Crop: Oats, silage-soft dough | Plant date: 11/01/2022

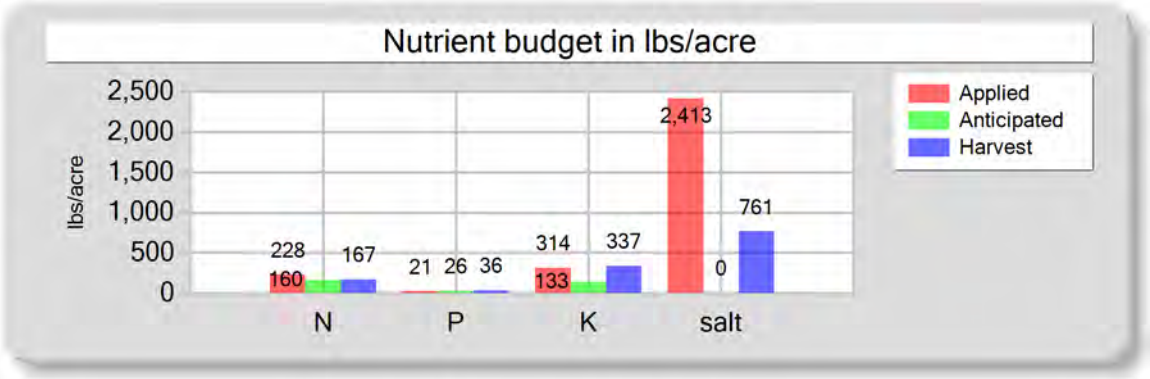


| | Total N (lbs/acre) | Total P (lbs/acre) | Total K (lbs/acre) | Total salt (lbs/acre) |
|---|---|---|---|---|
| Existing soil nutrient content | 0.00 | 0.00 | 0.00 | 0.00 |
| Plowdown credit | 0.00 | 0.00 | 0.00 | 0.00 |
| Commercial fertilizer / Other | 0.00 | 0.00 | 0.00 | 0.00 |
| Dry manure | 0.00 | 0.00 | 0.00 | 0.00 |
| Process wastewater | 206.21 | 21.18 | 313.59 | 2,163.34 |
| Fresh water | 15.20 | 0.00 | 0.00 | 249.92 |
| Atmospheric deposition | 7.00 | 0.00 | 0.00 | 0.00 |
| Total nutrients applied | 228.41 | 21.18 | 313.59 | 2,413.26 |
| Anticipated crop nutrient removal | 160.00 | 25.60 | 132.80 | 0.00 |
| Actual crop nutrient removal | 166.92 | 36.03 | 337.14 | 761.33 |
| Nutrient balance | 61.49 | -14.85 | -23.55 | 1,651.93 |
| Applied to removed ratio | 1.37 | 0.59 | 0.93 | 3.17 |

| Fresh water applied | |
|---|---|
| 14,337,000.00 | *gallons* |
| 527.98 | *acre-inches* |
| 13.89 | *inches/acre* |

| Process wastewater applied | |
|---|---|
| 2,073,557.00 | *gallons* |
| 76.36 | *acre-inches* |
| 2.01 | *inches/acre* |

| Total harvests for the crop | |
|---|---|
| 1 | *harvests* |

## 8 Enochs - 06/02/2023: Corn, silage

Field name: 8 Enochs  Crop: Corn, silage  Plant date: 06/02/2023

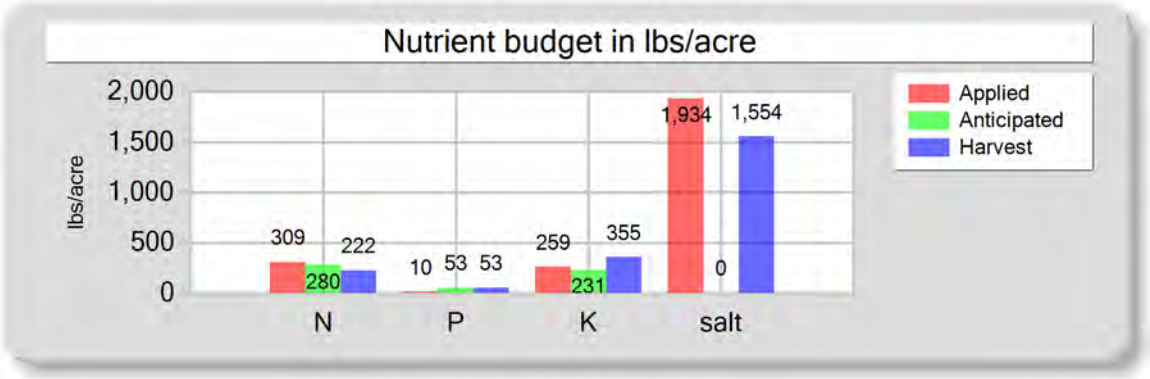


| | Total N (lbs/acre) | Total P (lbs/acre) | Total K (lbs/acre) | Total salt (lbs/acre) |
|---|---|---|---|---|
| Existing soil nutrient content | 0.00 | 0.00 | 0.00 | 0.00 |
| Plowdown credit | 0.00 | 0.00 | 0.00 | 0.00 |
| Commercial fertilizer / Other | 0.00 | 0.00 | 0.00 | 0.00 |
| Dry manure | 0.00 | 0.00 | 0.00 | 0.00 |
| Process wastewater | 302.08 | 9.95 | 259.13 | 1,687.97 |
| Fresh water | 0.00 | 0.00 | 0.00 | 245.54 |
| Atmospheric deposition | 7.00 | 0.00 | 0.00 | 0.00 |
| Total nutrients applied | 309.08 | 9.95 | 259.13 | 1,933.51 |
| Anticipated crop nutrient removal | 280.00 | 52.50 | 231.00 | 0.00 |
| Actual crop nutrient removal | 221.96 | 52.88 | 354.85 | 1,553.70 |
| Nutrient balance | 87.12 | -42.93 | -95.72 | 379.81 |
| Applied to removed ratio | 1.39 | 0.19 | 0.73 | 1.24 |

| Fresh water applied | |
|---|---|
| 41,411,250.00 | *gallons* |
| 1,525.04 | *acre-inches* |
| 40.13 | *inches/acre* |

| Process wastewater applied | |
|---|---|
| 1,335,339.00 | *gallons* |
| 49.18 | *acre-inches* |
| 1.29 | *inches/acre* |

| Total harvests for the crop | |
|---|---|
| 1 | *harvests* |

## 9 Back 40 - 11/01/2022: Oats, silage-soft dough

Field name: 9 Back 40 Crop: Oats, silage-soft dough Plant date: 11/01/2022

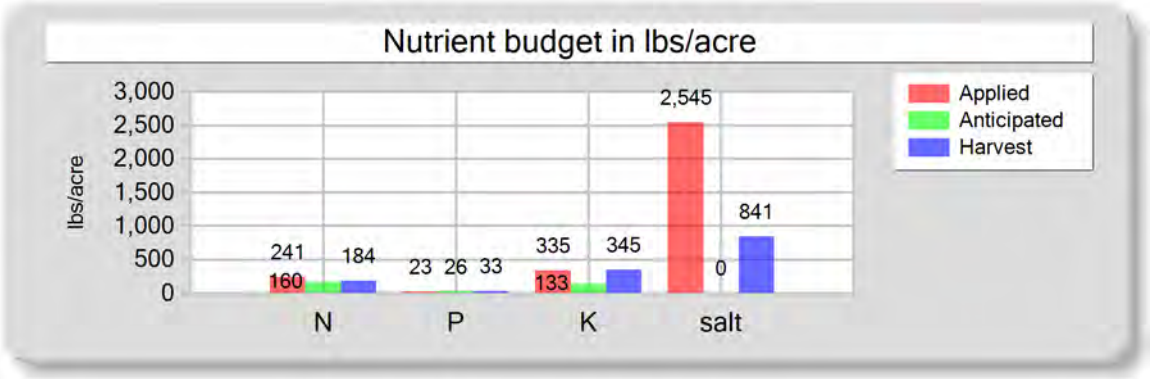


| | Total N (lbs/acre) | Total P (lbs/acre) | Total K (lbs/acre) | Total salt (lbs/acre) |
|---|---|---|---|---|
| Existing soil nutrient content | 0.00 | 0.00 | 0.00 | 0.00 |
| Plowdown credit | 0.00 | 0.00 | 0.00 | 0.00 |
| Commercial fertilizer / Other | 0.00 | 0.00 | 0.00 | 0.00 |
| Dry manure | 0.00 | 0.00 | 0.00 | 0.00 |
| Process wastewater | 219.71 | 22.53 | 334.82 | 2,303.17 |
| Fresh water | 14.44 | 0.00 | 0.00 | 241.99 |
| Atmospheric deposition | 7.00 | 0.00 | 0.00 | 0.00 |
| Total nutrients applied | 241.15 | 22.53 | 334.82 | 2,545.16 |
| Anticipated crop nutrient removal | 160.00 | 25.60 | 132.80 | 0.00 |
| Actual crop nutrient removal | 184.41 | 33.46 | 344.96 | 840.65 |
| Nutrient balance | 56.74 | -10.93 | -10.15 | 1,704.51 |
| Applied to removed ratio | 1.31 | 0.67 | 0.97 | 3.03 |

| Fresh water applied | |
|---|---|
| 16,362,000.00 | *gallons* |
| 602.56 | *acre-inches* |
| 15.06 | *inches/acre* |

| Process wastewater applied | |
|---|---|
| 2,319,430.00 | *gallons* |
| 85.42 | *acre-inches* |
| 2.14 | *inches/acre* |

| Total harvests for the crop | |
|---|---|
| 1 | *harvests* |

## 9 Back 40 - 06/03/2023: Corn, silage

Field name: 9 Back 40 Crop: Corn, silage Plant date: 06/03/2023

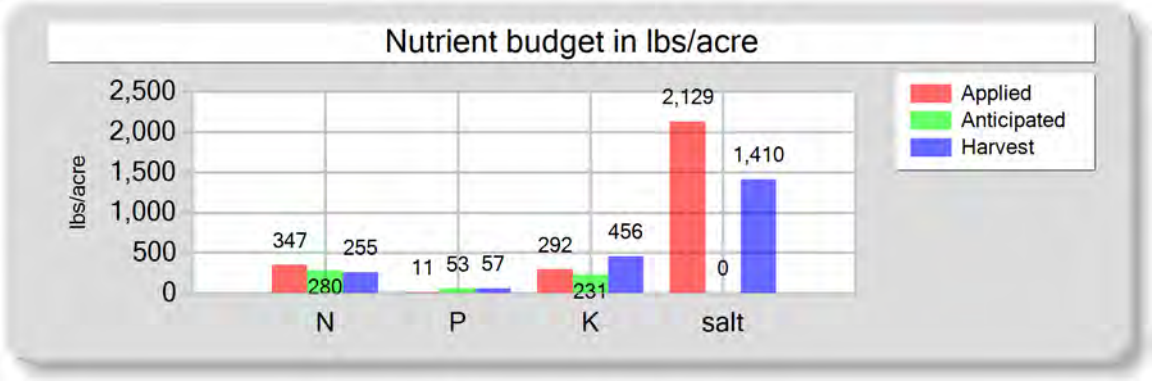


| | Total N (lbs/acre) | Total P (lbs/acre) | Total K (lbs/acre) | Total salt (lbs/acre) |
|---|---|---|---|---|
| Existing soil nutrient content | 0.00 | 0.00 | 0.00 | 0.00 |
| Plowdown credit | 0.00 | 0.00 | 0.00 | 0.00 |
| Commercial fertilizer / Other | 0.00 | 0.00 | 0.00 | 0.00 |
| Dry manure | 0.00 | 0.00 | 0.00 | 0.00 |
| Process wastewater | 340.07 | 11.22 | 292.02 | 1,910.80 |
| Fresh water | 0.00 | 0.00 | 0.00 | 218.55 |
| Atmospheric deposition | 7.00 | 0.00 | 0.00 | 0.00 |
| Total nutrients applied | 347.07 | 11.22 | 292.02 | 2,129.35 |
| Anticipated crop nutrient removal | 280.00 | 52.50 | 231.00 | 0.00 |
| Actual crop nutrient removal | 255.16 | 56.78 | 455.65 | 1,410.33 |
| Nutrient balance | 91.91 | -45.56 | -163.63 | 719.02 |
| Applied to removed ratio | 1.36 | 0.20 | 0.64 | 1.51 |

| Fresh water applied | |
|---|---|
| 38,799,000.00 | *gallons* |
| 1,428.84 | *acre-inches* |
| 35.72 | *inches/acre* |

| Process wastewater applied | |
|---|---|
| 1,586,982.00 | *gallons* |
| 58.44 | *acre-inches* |
| 1.46 | *inches/acre* |

| Total harvests for the crop | |
|---|---|
| 1 | *harvests* |

NUTRIENT ANALYSES

## A. MANURE ANALYSES

### Compost

Sample and source description: Compost

Sample date: 10/28/2022 Material type: Compost Source of analysis: Lab analysis Method of reporting: Dry-weight

Moisture: 22.2 %

| | Total N (mg/kg) | Total P (mg/kg) | Total K (mg/kg) | Calcium (mg/kg) | Magnesium (mg/kg) | Sodium (mg/kg) | Sulfur (mg/kg) | Chloride (mg/kg) | Total salt (mg/kg) | TFS (%) |
|---|---|---|---|---|---|---|---|---|---|---|
| **Value** | 24,100.00 | 8,530.00 | 47,200.00 | | | | | | | 38.30 |
| **DL** | 100.00 | 100.00 | 100.00 | | | | | | | 0.01 |

### Corral Solids

Sample and source description: Corral Solids

Sample date: 10/28/2022 Material type: Corral solids Source of analysis: Lab analysis Method of reporting: Dry-weight

Moisture: 24.9 %

| | Total N (mg/kg) | Total P (mg/kg) | Total K (mg/kg) | Calcium (mg/kg) | Magnesium (mg/kg) | Sodium (mg/kg) | Sulfur (mg/kg) | Chloride (mg/kg) | Total salt (mg/kg) | TFS (%) |
|---|---|---|---|---|---|---|---|---|---|---|
| **Value** | 20,300.00 | 8,800.00 | 60,600.00 | | | | | | | 46.10 |
| **DL** | 100.00 | 100.00 | 100.00 | | | | | | | 0.01 |

### Corral Solids

Sample and source description: Corral Solids

Sample date: 04/28/2023 Material type: Corral solids Source of analysis: Lab analysis Method of reporting: As-is

Moisture: 8.4 %

| | Total N (mg/kg) | Total P (mg/kg) | Total K (mg/kg) | Calcium (mg/kg) | Magnesium (mg/kg) | Sodium (mg/kg) | Sulfur (mg/kg) | Chloride (mg/kg) | Total salt (mg/kg) | TFS (%) |
|---|---|---|---|---|---|---|---|---|---|---|
| **Value** | 20,200.00 | 6,490.00 | 3,550.00 | | | | | | | 47.10 |
| **DL** | 100.00 | 100.00 | 100.00 | | | | | | | 0.01 |

## Separator Solids

Sample and source description: Separator Solids

Sample date: 04/28/2023 Material type: Separator solids Source of analysis: Lab analysis Method of reporting: As-is

Moisture: 72.6 %

| | Total N (mg/kg) | Total P (mg/kg) | Total K (mg/kg) | Calcium (mg/kg) | Magnesium (mg/kg) | Sodium (mg/kg) | Sulfur (mg/kg) | Chloride (mg/kg) | Total salt (mg/kg) | TFS (%) |
|---|---|---|---|---|---|---|---|---|---|---|
| **Value** | 16,500.00 | 2,350.00 | 5,770.00 | | | | | | | 9.26 |
| **DL** | 100.00 | 100.00 | 100.00 | | | | | | | 0.01 |

## Compost

Sample and source description: Compost

Sample date: 10/23/2023 Material type: Compost Source of analysis: Lab analysis Method of reporting: Dry-weight

Moisture: 21.2 %

| | Total N (mg/kg) | Total P (mg/kg) | Total K (mg/kg) | Calcium (mg/kg) | Magnesium (mg/kg) | Sodium (mg/kg) | Sulfur (mg/kg) | Chloride (mg/kg) | Total salt (mg/kg) | TFS (%) |
|---|---|---|---|---|---|---|---|---|---|---|
| **Value** | 10,600.00 | 3,180.00 | 10,200.00 | | | | | | | 21.10 |
| **DL** | 100.00 | 100.00 | 100.00 | | | | | | | 0.01 |

## Corral Solids

Sample and source description: Corral Solids

Sample date: 10/23/2023 Material type: Corral solids Source of analysis: Lab analysis Method of reporting: Dry-weight

Moisture: 41.9 %

| | Total N (mg/kg) | Total P (mg/kg) | Total K (mg/kg) | Calcium (mg/kg) | Magnesium (mg/kg) | Sodium (mg/kg) | Sulfur (mg/kg) | Chloride (mg/kg) | Total salt (mg/kg) | TFS (%) |
|---|---|---|---|---|---|---|---|---|---|---|
| **Value** | 12,500.00 | 6,720.00 | 30,000.00 | | | | | | | 41.90 |
| **DL** | 100.00 | 100.00 | 100.00 | | | | | | | 0.01 |

Corral Solids

Sample and source description: Corral Solids

Sample date: 10/23/2023 Material type: Corral solids Source of analysis: Lab analysis Method of reporting: Dry-weight

Moisture: 41.9 %

| | Total N (mg/kg) | Total P (mg/kg) | Total K (mg/kg) | Calcium (mg/kg) | Magnesium (mg/kg) | Sodium (mg/kg) | Sulfur (mg/kg) | Chloride (mg/kg) | Total salt (mg/kg) | TFS (%) |
|---|---|---|---|---|---|---|---|---|---|---|
| **Value** | 12,500.00 | 6,720.00 | 30,000.00 | | | | | | | 40.30 |
| **DL** | 100.00 | 100.00 | 100.00 | | | | | | | 0.01 |

## B. PROCESS WASTEWATER ANALYSES

4QWW

Sample and source description: 4QWW

Sample date: 10/21/2022 Material type: Process wastewater Source of analysis: Lab analysis pH:

| | Kjeldahl-N (mg/L) | NH4-N (mg/L) | NH3-N (mg/L) | Nitrate-N (mg/L) | Total P (mg/L) | Total K (mg/L) | Calcium (mg/L) | Magnes. (mg/L) | Sodium (mg/L) | Bicarb. (mg/L) | Carb. (mg/L) | Sulfate (mg/L) | Chloride (mg/L) | EC (µmhos/cm) | TDS (mg/L) |
|---|---|---|---|---|---|---|---|---|---|---|---|---|---|---|---|
| **Value** | 300.00 | 137.00 | 0.00 | 0.00 | 38.30 | 273.00 | | | | | | | | 31,500.00 | 3,620 |
| **DL** | 0.50 | 0.50 | 0.50 | 0.50 | 0.50 | 0.50 | | | | | | | | 1.00 | 10 |

Slurry - Import

Sample and source description: Slurry - Import

Sample date: 10/28/2022 Material type: Process wastewater sludge Source of analysis: Lab analysis pH:

| | Kjeldahl-N (mg/L) | NH4-N (mg/L) | NH3-N (mg/L) | Nitrate-N (mg/L) | Total P (mg/L) | Total K (mg/L) | Calcium (mg/L) | Magnes. (mg/L) | Sodium (mg/L) | Bicarb. (mg/L) | Carb. (mg/L) | Sulfate (mg/L) | Chloride (mg/L) | EC (µmhos/cm) | TDS (mg/L) |
|---|---|---|---|---|---|---|---|---|---|---|---|---|---|---|---|
| **Value** | 1,170.00 | 268.00 | 0.00 | 0.00 | 133.00 | 1,070.00 | | | | | | | | 5,170.00 | 3,400 |
| **DL** | 0.50 | 0.50 | 0.50 | 0.50 | 0.50 | 0.50 | | | | | | | | 1.00 | 10 |

## 1QWW

Sample and source description: 1QWW

Sample date: 02/10/2023 Material type: Process wastewater Source of analysis: Lab analysis pH:

| | Kjeldahl-N (mg/L) | NH4-N (mg/L) | NH3-N (mg/L) | Nitrate-N (mg/L) | Total P (mg/L) | Total K (mg/L) | Calcium (mg/L) | Magnes. (mg/L) | Sodium (mg/L) | Bicarb. (mg/L) | Carb. (mg/L) | Sulfate (mg/L) | Chloride (mg/L) | EC (µmhos/cm) | TDS (mg/L) |
|---|---|---|---|---|---|---|---|---|---|---|---|---|---|---|---|
| **Value** | 546.00 | 378.00 | 0.00 | 0.00 | 51.50 | 942.00 | | | | | | | | 7,490.00 | 5,440 |
| **DL** | 0.50 | 0.50 | 0.50 | 0.50 | 0.50 | 0.50 | | | | | | | | 1.00 | 10 |

## 2QWW

Sample and source description: 2QWW

Sample date: 06/02/2023 Material type: Process wastewater Source of analysis: Lab analysis pH:

| | Kjeldahl-N (mg/L) | NH4-N (mg/L) | NH3-N (mg/L) | Nitrate-N (mg/L) | Total P (mg/L) | Total K (mg/L) | Calcium (mg/L) | Magnes. (mg/L) | Sodium (mg/L) | Bicarb. (mg/L) | Carb. (mg/L) | Sulfate (mg/L) | Chloride (mg/L) | EC (µmhos/cm) | TDS (mg/L) |
|---|---|---|---|---|---|---|---|---|---|---|---|---|---|---|---|
| **Value** | 1,350.00 | 482.00 | 0.00 | 0.00 | 37.70 | 1,060.00 | | | | | | | | 7,900.00 | 4,120 |
| **DL** | 0.50 | 0.50 | 0.50 | 0.50 | 0.50 | 0.50 | | | | | | | | 1.00 | 10 |

## 3QWW

Sample and source description: 3QWW

Sample date: 07/27/2023 Material type: Process wastewater Source of analysis: Lab analysis pH:

| | Kjeldahl-N (mg/L) | NH4-N (mg/L) | NH3-N (mg/L) | Nitrate-N (mg/L) | Total P (mg/L) | Total K (mg/L) | Calcium (mg/L) | Magnes. (mg/L) | Sodium (mg/L) | Bicarb. (mg/L) | Carb. (mg/L) | Sulfate (mg/L) | Chloride (mg/L) | EC (µmhos/cm) | TDS (mg/L) |
|---|---|---|---|---|---|---|---|---|---|---|---|---|---|---|---|
| **Value** | 697.00 | 319.00 | 0.00 | 0.00 | 30.00 | 700.00 | | | | | | | | 5,710.00 | 7,460 |
| **DL** | 0.50 | 0.50 | 0.50 | 0.50 | 0.50 | 0.50 | | | | | | | | 1.00 | 10 |

## 4QWW

Sample and source description: 4QWW

Sample date: 10/31/2023 Material type: Process wastewater Source of analysis: Lab analysis pH:

| | Kjeldahl-N (mg/L) | NH4-N (mg/L) | NH3-N (mg/L) | Nitrate-N (mg/L) | Total P (mg/L) | Total K (mg/L) | Calcium (mg/L) | Magnes. (mg/L) | Sodium (mg/L) | Bicarb. (mg/L) | Carb. (mg/L) | Sulfate (mg/L) | Chloride (mg/L) | EC (µmhos/cm) | TDS (mg/L) |
|---|---|---|---|---|---|---|---|---|---|---|---|---|---|---|---|
| **Value** | 582.00 | 249.00 | 0.00 | 0.00 | 18.30 | 513.00 | | | | | | | | 4,650.00 | 4,660 |
| **DL** | 0.50 | 0.50 | 0.50 | 0.50 | 0.50 | 0.50 | | | | | | | | 1.00 | 10 |

## C. FRESH WATER ANALYSES

### IW- Berryhill N

#### Fresh Water

Sample description: Fresh Water

Sample date: 12/28/2023 Source of analysis: Lab analysis

| | Total N (mg/L) | NH4-N (mg/L) | Nitrate-N (mg/L) | Calcium (mg/L) | Magnesium (mg/L) | Sodium (mg/L) | Bicarbonate (mg/L) | Carbonate (mg/L) | Sulfate (mg/L) | Chloride (mg/L) | EC (µmhos/cm) | TDS (mg/L) |
|---|---|---|---|---|---|---|---|---|---|---|---|---|
| **Value** | 8.82 | 0.00 | 8.82 | | | | | | | | 712.00 | 390 |
| **DL** | 0.50 | 0.50 | 0.50 | | | | | | | | 1.00 | 10 |

### IW- Berryhill W

#### Fresh Water

Sample description: Fresh Water

Sample date: 12/28/2023 Source of analysis: Lab analysis

| | Total N (mg/L) | NH4-N (mg/L) | Nitrate-N (mg/L) | Calcium (mg/L) | Magnesium (mg/L) | Sodium (mg/L) | Bicarbonate (mg/L) | Carbonate (mg/L) | Sulfate (mg/L) | Chloride (mg/L) | EC (µmhos/cm) | TDS (mg/L) |
|---|---|---|---|---|---|---|---|---|---|---|---|---|
| **Value** | 26.70 | 0.00 | 26.70 | | | | | | | | 726.00 | 380 |
| **DL** | 0.50 | 0.50 | 0.50 | | | | | | | | 1.00 | 10 |

### IW- Dairy

#### Fresh Water

Sample description: Fresh Water

Sample date: 12/28/2023 Source of analysis: Lab analysis

| | Total N (mg/L) | NH4-N (mg/L) | Nitrate-N (mg/L) | Calcium (mg/L) | Magnesium (mg/L) | Sodium (mg/L) | Bicarbonate (mg/L) | Carbonate (mg/L) | Sulfate (mg/L) | Chloride (mg/L) | EC (µmhos/cm) | TDS (mg/L) |
|---|---|---|---|---|---|---|---|---|---|---|---|---|
| **Value** | 8.77 | 0.00 | 8.21 | | | | | | | | 678.00 | 355 |
| **DL** | 0.50 | 0.50 | 0.50 | | | | | | | | 1.00 | 10 |

## IW- ET Vincent

### Fresh Water

Sample description: Fresh Water

Sample date: 12/28/2023 Source of analysis: Lab analysis

| | Total N (mg/L) | NH4-N (mg/L) | Nitrate-N (mg/L) | Calcium (mg/L) | Magnesium (mg/L) | Sodium (mg/L) | Bicarbonate (mg/L) | Carbonate (mg/L) | Sulfate (mg/L) | Chloride (mg/L) | EC (µmhos/cm) | TDS (mg/L) |
|---|---|---|---|---|---|---|---|---|---|---|---|---|
| **Value** | 11.60 | 0.00 | 11.60 | | | | | | | | 649.00 | 335 |
| **DL** | 0.50 | 0.50 | 0.50 | | | | | | | | 1.00 | 10 |

## IW- Harolds Field

### Fresh Water

Sample description: Fresh Water

Sample date: 12/28/2023 Source of analysis: Lab analysis

| | Total N (mg/L) | NH4-N (mg/L) | Nitrate-N (mg/L) | Calcium (mg/L) | Magnesium (mg/L) | Sodium (mg/L) | Bicarbonate (mg/L) | Carbonate (mg/L) | Sulfate (mg/L) | Chloride (mg/L) | EC (µmhos/cm) | TDS (mg/L) |
|---|---|---|---|---|---|---|---|---|---|---|---|---|
| **Value** | 0.00 | 0.00 | 0.00 | | | | | | | | 710.00 | 340 |
| **DL** | 0.50 | 0.50 | 0.50 | | | | | | | | 1.00 | 10 |

## TID Ceres Main

### Fresh Water

Sample description: Fresh Water

Sample date: 07/25/2023 Source of analysis: Lab analysis

| | Total N (mg/L) | NH4-N (mg/L) | Nitrate-N (mg/L) | Calcium (mg/L) | Magnesium (mg/L) | Sodium (mg/L) | Bicarbonate (mg/L) | Carbonate (mg/L) | Sulfate (mg/L) | Chloride (mg/L) | EC (µmhos/cm) | TDS (mg/L) |
|---|---|---|---|---|---|---|---|---|---|---|---|---|
| **Value** | 0.00 | 0.00 | 0.00 | | | | | | | | 30.00 | 12 |
| **DL** | 0.50 | 0.50 | 0.50 | | | | | | | | 1.00 | 10 |

## TID Lateral 3

TID Lateral 3

Fresh Water

Sample description: Fresh Water

Sample date: 07/25/2023 Source of analysis: Lab analysis

| | Total N (mg/L) | NH4-N (mg/L) | Nitrate-N (mg/L) | Calcium (mg/L) | Magnesium (mg/L) | Sodium (mg/L) | Bicarbonate (mg/L) | Carbonate (mg/L) | Sulfate (mg/L) | Chloride (mg/L) | EC (µmhos/cm) | TDS (mg/L) |
|---|---|---|---|---|---|---|---|---|---|---|---|---|
| **Value** | 0.00 | 0.00 | 0.00 | | | | | | | | 40.00 | 27 |
| **DL** | 0.50 | 0.50 | 0.50 | | | | | | | | 1.00 | 10 |

Fresh Water

Sample description: Fresh Water

Sample date: 07/25/2023 Source of analysis: Lab analysis

| | Total N (mg/L) | NH4-N (mg/L) | Nitrate-N (mg/L) | Calcium (mg/L) | Magnesium (mg/L) | Sodium (mg/L) | Bicarbonate (mg/L) | Carbonate (mg/L) | Sulfate (mg/L) | Chloride (mg/L) | EC (µmhos/cm) | TDS (mg/L) |
|---|---|---|---|---|---|---|---|---|---|---|---|---|
| **Value** | 0.00 | 0.00 | 0.00 | | | | | | | | 0.00 | 0 |
| **DL** | 0.50 | 0.50 | 0.50 | | | | | | | | 1.00 | 10 |

TID Lateral 4

Fresh Water

Sample description: Fresh Water

Sample date: 07/25/2023 Source of analysis: Lab analysis

| | Total N (mg/L) | NH4-N (mg/L) | Nitrate-N (mg/L) | Calcium (mg/L) | Magnesium (mg/L) | Sodium (mg/L) | Bicarbonate (mg/L) | Carbonate (mg/L) | Sulfate (mg/L) | Chloride (mg/L) | EC (µmhos/cm) | TDS (mg/L) |
|---|---|---|---|---|---|---|---|---|---|---|---|---|
| **Value** | 0.00 | 0.00 | 0.00 | | | | | | | | 30.00 | 26 |
| **DL** | 0.50 | 0.50 | 0.50 | | | | | | | | 1.00 | 10 |

## D. SOIL ANALYSES

*No soil analyses entered.*

## E. PLANT TISSUE ANALYSES

## 1 Berryhill Lagoon - 11/03/2022: Oats, silage-soft dough

### Forage

Sample and source description: Forage

Sample date: 05/11/2023 Source of analysis: Lab analysis Method of reporting: As-is

Moisture: 66.7 %

| | Total N (mg/kg) | Total P (mg/kg) | Total K (mg/kg) | Total salt (mg/kg) | TFS (%) |
|---|---|---|---|---|---|
| **Value** | 5,930.00 | 1,080.00 | 7,220.00 | | 9.94 |
| **DL** | 100.00 | 100.00 | 100.00 | | 0.01 |

## 1 Berryhill Lagoon - 06/05/2023: Corn, silage

### Corn Silage

Sample and source description: Corn Silage

Sample date: 10/05/2023 Source of analysis: Lab analysis Method of reporting: As-is

Moisture: 69.0 %

| | Total N (mg/kg) | Total P (mg/kg) | Total K (mg/kg) | Total salt (mg/kg) | TFS (%) |
|---|---|---|---|---|---|
| **Value** | 3,940.00 | 860.00 | 6,020.00 | | 6.67 |
| **DL** | 100.00 | 100.00 | 100.00 | | 0.01 |

## 10 Yori North - 10/29/2022: Oats, silage-soft dough

### Forage

Sample and source description: Forage

Sample date: 05/05/2023 Source of analysis: Lab analysis Method of reporting: As-is

Moisture: 74.0 %

| | Total N (mg/kg) | Total P (mg/kg) | Total K (mg/kg) | Total salt (mg/kg) | TFS (%) |
|---|---|---|---|---|---|
| **Value** | 3,120.00 | 940.00 | 6,830.00 | | 9.90 |
| **DL** | 100.00 | 100.00 | 100.00 | | 0.01 |

## 10 Yori North - 05/31/2023: Corn, silage

### Corn Silage

Sample and source description: Corn Silage

Sample date: 10/05/2023 Source of analysis: Lab analysis Method of reporting: As-is

Moisture: 70.8 %

| | Total N (mg/kg) | Total P (mg/kg) | Total K (mg/kg) | Total salt (mg/kg) | TFS (%) |
|---|---|---|---|---|---|
| **Value** | 3,680.00 | 760.00 | 4,740.00 | | 6.80 |
| **DL** | 100.00 | 100.00 | 100.00 | | 0.01 |

## 11 Yori South - 10/29/2022: Oats, silage-soft dough

### Forage

Sample and source description: Forage

Sample date: 05/05/2023 Source of analysis: Lab analysis Method of reporting: As-is

Moisture: 73.4 %

| | Total N (mg/kg) | Total P (mg/kg) | Total K (mg/kg) | Total salt (mg/kg) | TFS (%) |
|---|---|---|---|---|---|
| **Value** | 5,190.00 | 900.00 | 6,490.00 | | 9.90 |
| **DL** | 100.00 | 100.00 | 100.00 | | 0.01 |

## 11 Yori South - 05/31/2023: Corn, silage

### Corn Silage

Sample and source description: Corn Silage

Sample date: 10/05/2023 Source of analysis: Lab analysis Method of reporting: As-is

Moisture: 71.0 %

| | Total N (mg/kg) | Total P (mg/kg) | Total K (mg/kg) | Total salt (mg/kg) | TFS (%) |
|---|---|---|---|---|---|
| **Value** | 3,450.00 | 810.00 | 5,250.00 | | 7.20 |
| **DL** | 100.00 | 100.00 | 100.00 | | 0.01 |

## 12 Harold's House - 02/01/2005: Almond Field Run

### Almonds

Sample and source description: Almonds

Sample date: 09/22/2023 Source of analysis: Lab analysis Method of reporting: As-is

Moisture: 27.8 %

| | Total N (mg/kg) | Total P (mg/kg) | Total K (mg/kg) | Total salt (mg/kg) | TFS (%) |
|---|---|---|---|---|---|
| **Value** | 5,200.00 | 700.00 | 27,000.00 | | 12.90 |
| **DL** | 100.00 | 100.00 | 100.00 | | 0.01 |

## 13 McCoy A - 10/29/2022: Oats, silage-soft dough

### Forage

Sample and source description: Forage

Sample date: 05/05/2023 Source of analysis: Lab analysis Method of reporting: As-is

Moisture: 75.6 %

| | Total N (mg/kg) | Total P (mg/kg) | Total K (mg/kg) | Total salt (mg/kg) | TFS (%) |
|---|---|---|---|---|---|
| **Value** | 4,680.00 | 930.00 | 6,520.00 | | 10.70 |
| **DL** | 100.00 | 100.00 | 100.00 | | 0.01 |

## 13 McCoy A - 06/03/2023: Corn, silage

### Corn Silage

Sample and source description: Corn Silage

Sample date: 10/05/2023 Source of analysis: Lab analysis Method of reporting: As-is

Moisture: 67.8 %

| | Total N (mg/kg) | Total P (mg/kg) | Total K (mg/kg) | Total salt (mg/kg) | TFS (%) |
|---|---|---|---|---|---|
| **Value** | 4,220.00 | 830.00 | 5,630.00 | | 8.40 |
| **DL** | 100.00 | 100.00 | 100.00 | | 0.01 |

## 14 Drake - 10/29/2022: Oats, silage-soft dough

### Forage

Sample and source description: Forage

Sample date: 05/05/2023 Source of analysis: Lab analysis Method of reporting: As-is

Moisture: 76.0 %

| | Total N (mg/kg) | Total P (mg/kg) | Total K (mg/kg) | Total salt (mg/kg) | TFS (%) |
|---|---|---|---|---|---|
| **Value** | 5,060.00 | 1,010.00 | 7,490.00 | | 11.00 |
| **DL** | 100.00 | 100.00 | 100.00 | | 0.01 |

## 14 Drake - 05/31/2023: Corn, silage

### Corn Silage

Sample and source description: Corn Silage

Sample date: 10/05/2023 Source of analysis: Lab analysis Method of reporting: As-is

Moisture: 69.8 %

| | Total N (mg/kg) | Total P (mg/kg) | Total K (mg/kg) | Total salt (mg/kg) | TFS (%) |
|---|---|---|---|---|---|
| **Value** | 3,650.00 | 820.00 | 5,160.00 | | 7.40 |
| **DL** | 100.00 | 100.00 | 100.00 | | 0.01 |

## 15 Webster West - 01/26/2019: Almond Field Run

### Almonds

Sample and source description: Almonds

Sample date: 09/22/2023 Source of analysis: Lab analysis Method of reporting: As-is

Moisture: 23.1 %

| | Total N (mg/kg) | Total P (mg/kg) | Total K (mg/kg) | Total salt (mg/kg) | TFS (%) |
|---|---|---|---|---|---|
| **Value** | 5,610.00 | 650.00 | 29,200.00 | | 14.40 |
| **DL** | 100.00 | 100.00 | 100.00 | | 0.01 |

## 16 Webster East - 02/01/1995: Almond Field Run

### Almonds

Sample and source description: Almonds

Sample date: 09/22/2023 Source of analysis: Lab analysis Method of reporting: As-is

Moisture: 22.7 %

| | Total N (mg/kg) | Total P (mg/kg) | Total K (mg/kg) | Total salt (mg/kg) | TFS (%) |
|---|---|---|---|---|---|
| **Value** | 5,490.00 | 560.00 | 26,600.00 | | 12.50 |
| **DL** | 100.00 | 100.00 | 100.00 | | 0.01 |

## 17 Sodar-Rock - 11/04/2022: Oats, silage-soft dough

### Forage

Sample and source description: Forage

Sample date: 05/11/2023 Source of analysis: Lab analysis Method of reporting: As-is

Moisture: 66.8 %

| | Total N (mg/kg) | Total P (mg/kg) | Total K (mg/kg) | Total salt (mg/kg) | TFS (%) |
|---|---|---|---|---|---|
| **Value** | 5,580.00 | 1,190.00 | 8,090.00 | | 9.15 |
| **DL** | 100.00 | 100.00 | 100.00 | | 0.01 |

## 17 Sodar-Rock - 05/30/2023: Corn, silage

### Corn Silage

Sample and source description: Corn Silage

Sample date: 10/05/2023 Source of analysis: Lab analysis Method of reporting: As-is

Moisture: 67.6 %

| | Total N (mg/kg) | Total P (mg/kg) | Total K (mg/kg) | Total salt (mg/kg) | TFS (%) |
|---|---|---|---|---|---|
| **Value** | 3,990.00 | 840.00 | 5,790.00 | | 7.80 |
| **DL** | 100.00 | 100.00 | 100.00 | | 0.01 |

## 19 ET Vincent - 11/12/2022: Oats, silage-soft dough

### Forage

Sample and source description: Forage

Sample date: 05/11/2023 Source of analysis: Lab analysis Method of reporting: As-is

Moisture: 73.5 %

| | Total N (mg/kg) | Total P (mg/kg) | Total K (mg/kg) | Total salt (mg/kg) | TFS (%) |
|---|---|---|---|---|---|
| **Value** | 4,190.00 | 1,050.00 | 7,690.00 | | 9.87 |
| **DL** | 100.00 | 100.00 | 100.00 | | 0.01 |

## 19 ET Vincent - 05/30/2023: Corn, silage

### Corn Silage

Sample and source description: Corn Silage

Sample date: 10/05/2023 Source of analysis: Lab analysis Method of reporting: As-is

Moisture: 70.8 %

| | Total N (mg/kg) | Total P (mg/kg) | Total K (mg/kg) | Total salt (mg/kg) | TFS (%) |
|---|---|---|---|---|---|
| **Value** | 3,530.00 | 870.00 | 5,820.00 | | 6.60 |
| **DL** | 100.00 | 100.00 | 100.00 | | 0.01 |

## 2 Berryhill East - 02/01/2013: Almond Field Run

### Almonds

Sample and source description: Almonds

Sample date: 09/22/2023 Source of analysis: Lab analysis Method of reporting: As-is

Moisture: 22.2 %

| | Total N (mg/kg) | Total P (mg/kg) | Total K (mg/kg) | Total salt (mg/kg) | TFS (%) |
|---|---|---|---|---|---|
| **Value** | 6,850.00 | 970.00 | 27,700.00 | | 10.20 |
| **DL** | 100.00 | 100.00 | 100.00 | | 0.01 |

## 20 Vierra - 11/12/2022: Oats, silage-soft dough

### Forage

Sample and source description: Forage

Sample date: 05/01/2023 Source of analysis: Lab analysis Method of reporting: As-is

Moisture: 71.6 %

| | Total N (mg/kg) | Total P (mg/kg) | Total K (mg/kg) | Total salt (mg/kg) | TFS (%) |
|---|---|---|---|---|---|
| **Value** | 5,400.00 | 1,170.00 | 8,360.00 | | 10.10 |
| **DL** | 100.00 | 100.00 | 100.00 | | 0.01 |

## 20 Vierra - 05/30/2023: Corn, silage

### Corn Silage

Sample and source description: Corn Silage

Sample date: 10/05/2023 Source of analysis: Lab analysis Method of reporting: As-is

Moisture: 70.6 %

| | Total N (mg/kg) | Total P (mg/kg) | Total K (mg/kg) | Total salt (mg/kg) | TFS (%) |
|---|---|---|---|---|---|
| **Value** | 3,470.00 | 860.00 | 5,370.00 | | 10.20 |
| **DL** | 100.00 | 100.00 | 100.00 | | 0.01 |

## 21 Costa - 02/01/1997: Almond Field Run

### Almonds

Sample and source description: Almonds

Sample date: 09/22/2023 Source of analysis: Lab analysis Method of reporting: As-is

Moisture: 29.2 %

| | Total N (mg/kg) | Total P (mg/kg) | Total K (mg/kg) | Total salt (mg/kg) | TFS (%) |
|---|---|---|---|---|---|
| **Value** | 5,880.00 | 880.00 | 26,000.00 | | 13.20 |
| **DL** | 100.00 | 100.00 | 100.00 | | 0.01 |

## 22 Soderstrom - 02/01/1998: Almond Field Run

### Almonds

Sample and source description: Almonds

Sample date: 09/22/2023 Source of analysis: Lab analysis Method of reporting: As-is

Moisture: 29.4 %

| | Total N (mg/kg) | Total P (mg/kg) | Total K (mg/kg) | Total salt (mg/kg) | TFS (%) |
|---|---|---|---|---|---|
| **Value** | 6,140.00 | 860.00 | 28,000.00 | | 13.20 |
| **DL** | 100.00 | 100.00 | 100.00 | | 0.01 |

## 23 John's Zeering - 02/01/2015: Almond Field Run

### Almonds

Sample and source description: Almonds

Sample date: 09/22/2023 Source of analysis: Lab analysis Method of reporting: As-is

Moisture: 23.0 %

| | Total N (mg/kg) | Total P (mg/kg) | Total K (mg/kg) | Total salt (mg/kg) | TFS (%) |
|---|---|---|---|---|---|
| **Value** | 6,080.00 | 830.00 | 28,100.00 | | 7.41 |
| **DL** | 100.00 | 100.00 | 100.00 | | 0.01 |

## 24 John's Washington - 02/01/2009: Almond Field Run

### Almonds

Sample and source description: Almonds

Sample date: 09/22/2023 Source of analysis: Lab analysis Method of reporting: As-is

Moisture: 20.6 %

| | Total N (mg/kg) | Total P (mg/kg) | Total K (mg/kg) | Total salt (mg/kg) | TFS (%) |
|---|---|---|---|---|---|
| **Value** | 7,620.00 | 940.00 | 28,600.00 | | 10.60 |
| **DL** | 100.00 | 100.00 | 100.00 | | 0.01 |

## 25 John's Dairy - 02/01/2009: Almond Field Run

### Almonds

Sample and source description: Almonds

Sample date: 09/22/2023 Source of analysis: Lab analysis Method of reporting: As-is

Moisture: 21.1 %

| | Total N (mg/kg) | Total P (mg/kg) | Total K (mg/kg) | Total salt (mg/kg) | TFS (%) |
|---|---|---|---|---|---|
| **Value** | 8,440.00 | 1,100.00 | 31,300.00 | | 11.00 |
| **DL** | 100.00 | 100.00 | 100.00 | | 0.01 |

## 26 Fulkerth - 02/01/2003: Almond Field Run

### Almonds

Sample and source description: Almonds

Sample date: 09/22/2023 Source of analysis: Lab analysis Method of reporting: As-is

Moisture: 17.8 %

| | Total N (mg/kg) | Total P (mg/kg) | Total K (mg/kg) | Total salt (mg/kg) | TFS (%) |
|---|---|---|---|---|---|
| **Value** | 6,580.00 | 1,010.00 | 30,200.00 | | 9.83 |
| **DL** | 100.00 | 100.00 | 100.00 | | 0.01 |

## 27 Fransil - 02/01/2002: Almond Field Run

### Almonds

Sample and source description: Almonds

Sample date: 09/22/2023 Source of analysis: Lab analysis Method of reporting: As-is

Moisture: 18.6 %

| | Total N (mg/kg) | Total P (mg/kg) | Total K (mg/kg) | Total salt (mg/kg) | TFS (%) |
|---|---|---|---|---|---|
| **Value** | 6,270.00 | 800.00 | 27,700.00 | | 10.10 |
| **DL** | 100.00 | 100.00 | 100.00 | | 0.01 |

## 28 Crowslanding - 02/01/2000: Almond Field Run

### Almonds

Sample and source description: Almonds

Sample date: 09/22/2023 Source of analysis: Lab analysis Method of reporting: As-is

Moisture: 20.6 %

| | Total N (mg/kg) | Total P (mg/kg) | Total K (mg/kg) | Total salt (mg/kg) | TFS (%) |
|---|---|---|---|---|---|
| **Value** | 5,800.00 | 870.00 | 29,800.00 | | 11.30 |
| **DL** | 100.00 | 100.00 | 100.00 | | 0.01 |

## 29 Railroad - 02/01/2007: Almond Field Run

### Almonds

Sample and source description: Almonds

Sample date: 09/22/2023 Source of analysis: Lab analysis Method of reporting: As-is

Moisture: 25.0 %

| | Total N (mg/kg) | Total P (mg/kg) | Total K (mg/kg) | Total salt (mg/kg) | TFS (%) |
|---|---|---|---|---|---|
| **Value** | 6,380.00 | 850.00 | 28,300.00 | | 14.00 |
| **DL** | 100.00 | 100.00 | 100.00 | | 0.01 |

## 3 Berryhill West - 11/02/2022: Oats, silage-soft dough

### Forage

Sample and source description: Forage

Sample date: 05/09/2023 Source of analysis: Lab analysis Method of reporting: As-is

Moisture: 60.4 %

| | Total N (mg/kg) | Total P (mg/kg) | Total K (mg/kg) | Total salt (mg/kg) | TFS (%) |
|---|---|---|---|---|---|
| **Value** | 5,270.00 | 1,270.00 | 11,500.00 | | 7.98 |
| **DL** | 100.00 | 100.00 | 100.00 | | 0.01 |

## 3 Berryhill West - 06/04/2023: Corn, silage

### Corn Silage

Sample and source description: Corn Silage

Sample date: 10/05/2023 Source of analysis: Lab analysis Method of reporting: As-is

Moisture: 69.0 %

| | Total N (mg/kg) | Total P (mg/kg) | Total K (mg/kg) | Total salt (mg/kg) | TFS (%) |
|---|---|---|---|---|---|
| **Value** | 4,000.00 | 840.00 | 6,230.00 | | 6.22 |
| **DL** | 100.00 | 100.00 | 100.00 | | 0.01 |

## 30 Borba - 10/31/2022: Oats, silage-soft dough

### Forage

Sample and source description: Forage

Sample date: 05/09/2023 Source of analysis: Lab analysis Method of reporting: As-is

Moisture: 56.6 %

| | Total N (mg/kg) | Total P (mg/kg) | Total K (mg/kg) | Total salt (mg/kg) | TFS (%) |
|---|---|---|---|---|---|
| **Value** | 5,080.00 | 1,430.00 | 11,700.00 | | 7.71 |
| **DL** | 100.00 | 100.00 | 100.00 | | 0.01 |

## 30 Borba - 05/29/2023: Corn, silage

### Corn Silage

Sample and source description: Corn Silage

Sample date: 10/05/2023 Source of analysis: Lab analysis Method of reporting: As-is

Moisture: 70.6 %

| | Total N (mg/kg) | Total P (mg/kg) | Total K (mg/kg) | Total salt (mg/kg) | TFS (%) |
|---|---|---|---|---|---|
| **Value** | 3,820.00 | 770.00 | 4,850.00 | | 6.40 |
| **DL** | 100.00 | 100.00 | 100.00 | | 0.01 |

## 31 Costco - 02/01/2011: Almond Field Run

### Almonds

Sample and source description: Almonds

Sample date: 09/22/2023 Source of analysis: Lab analysis Method of reporting: As-is

Moisture: 19.4 %

| | Total N (mg/kg) | Total P (mg/kg) | Total K (mg/kg) | Total salt (mg/kg) | TFS (%) |
|---|---|---|---|---|---|
| **Value** | 6,130.00 | 930.00 | 30,300.00 | | 11.70 |
| **DL** | 100.00 | 100.00 | 100.00 | | 0.01 |

## 32 Trio - 10/24/2019: Almond Field Run

### Almonds

Sample and source description: Almonds

Sample date: 09/22/2023 Source of analysis: Lab analysis Method of reporting: As-is

Moisture: 23.0 %

| | Total N (mg/kg) | Total P (mg/kg) | Total K (mg/kg) | Total salt (mg/kg) | TFS (%) |
|---|---|---|---|---|---|
| **Value** | 570.00 | 890.00 | 28,100.00 | | 11.40 |
| **DL** | 100.00 | 100.00 | 100.00 | | 0.01 |

## 4 Berryhill North - 02/01/2016: Almond Field Run

### Almonds

Sample and source description: Almonds

Sample date: 09/22/2023 Source of analysis: Lab analysis Method of reporting: As-is

Moisture: 22.8 %

| | Total N (mg/kg) | Total P (mg/kg) | Total K (mg/kg) | Total salt (mg/kg) | TFS (%) |
|---|---|---|---|---|---|
| **Value** | 5,870.00 | 860.00 | 27,600.00 | | 14.10 |
| **DL** | 100.00 | 100.00 | 100.00 | | 0.01 |

## 5 Berryhill - 02/01/2011: Almond Field Run

### Almonds

Sample and source description: Almonds

Sample date: 09/22/2023 Source of analysis: Lab analysis Method of reporting: As-is

Moisture: 25.5 %

| | Total N (mg/kg) | Total P (mg/kg) | Total K (mg/kg) | Total salt (mg/kg) | TFS (%) |
|---|---|---|---|---|---|
| **Value** | 6,780.00 | 710.00 | 27,100.00 | | 16.00 |
| **DL** | 100.00 | 100.00 | 100.00 | | 0.01 |

## 6 Drake-Roberts A - 11/02/2022: Oats, silage-soft dough

### Forage

Sample and source description: Forage

Sample date: 05/09/2023 Source of analysis: Lab analysis Method of reporting: As-is

Moisture: 60.2 %

| | Total N (mg/kg) | Total P (mg/kg) | Total K (mg/kg) | Total salt (mg/kg) | TFS (%) |
|---|---|---|---|---|---|
| **Value** | 4,860.00 | 1,070.00 | 9,550.00 | | 7.58 |
| **DL** | 100.00 | 100.00 | 100.00 | | 0.01 |

## 6 Drake-Roberts A - 06/04/2023: Corn, silage

### Corn Silage

Sample and source description: Corn Silage

Sample date: 10/05/2023 Source of analysis: Lab analysis Method of reporting: As-is

Moisture: 70.0 %

| | Total N (mg/kg) | Total P (mg/kg) | Total K (mg/kg) | Total salt (mg/kg) | TFS (%) |
|---|---|---|---|---|---|
| **Value** | 3,860.00 | 810.00 | 6,340.00 | | 6.05 |
| **DL** | 100.00 | 100.00 | 100.00 | | 0.01 |

## 6 Drake-Roberts B - 02/01/1995: Almond Field Run

### Almonds

Sample and source description: Almonds

Sample date: 09/22/2023 Source of analysis: Lab analysis Method of reporting: As-is

Moisture: 29.3 %

| | Total N (mg/kg) | Total P (mg/kg) | Total K (mg/kg) | Total salt (mg/kg) | TFS (%) |
|---|---|---|---|---|---|
| **Value** | 5,590.00 | 820.00 | 28,700.00 | | 12.10 |
| **DL** | 100.00 | 100.00 | 100.00 | | 0.01 |

## 7 Kilber - 11/01/2022: Oats, silage-soft dough

### Forage

Sample and source description: Forage

Sample date: 05/09/2023 Source of analysis: Lab analysis Method of reporting: As-is

Moisture: 60.4 %

| | Total N (mg/kg) | Total P (mg/kg) | Total K (mg/kg) | Total salt (mg/kg) | TFS (%) |
|---|---|---|---|---|---|
| **Value** | 5,150.00 | 1,190.00 | 11,100.00 | | 7.21 |
| **DL** | 100.00 | 100.00 | 100.00 | | 0.01 |

## 7 Kilber - 06/02/2023: Corn, silage

### Corn Silage

Sample and source description: Corn Silage

Sample date: 10/05/2023 Source of analysis: Lab analysis Method of reporting: As-is

Moisture: 68.8 %

| | Total N (mg/kg) | Total P (mg/kg) | Total K (mg/kg) | Total salt (mg/kg) | TFS (%) |
|---|---|---|---|---|---|
| **Value** | 3,460.00 | 840.00 | 5,520.00 | | 6.80 |
| **DL** | 100.00 | 100.00 | 100.00 | | 0.01 |

## 8 Enochs - 11/01/2022: Oats, silage-soft dough

### Forage

Sample and source description: Forage

Sample date: 05/09/2023 Source of analysis: Lab analysis Method of reporting: As-is

Moisture: 67.0 %

| | Total N (mg/kg) | Total P (mg/kg) | Total K (mg/kg) | Total salt (mg/kg) | TFS (%) |
|---|---|---|---|---|---|
| **Value** | 5,050.00 | 1,090.00 | 10,200.00 | | 6.98 |
| **DL** | 100.00 | 100.00 | 100.00 | | 0.01 |

## 8 Enochs - 06/02/2023: Corn, silage

### Corn Silage

Sample and source description: Corn Silage

Sample date: 10/05/2023 Source of analysis: Lab analysis Method of reporting: As-is

Moisture: 71.0 %

| | Total N (mg/kg) | Total P (mg/kg) | Total K (mg/kg) | Total salt (mg/kg) | TFS (%) |
|---|---|---|---|---|---|
| **Value** | 3,190.00 | 760.00 | 5,100.00 | | 7.70 |
| **DL** | 100.00 | 100.00 | 100.00 | | 0.01 |

## 9 Back 40 - 11/01/2022: Oats, silage-soft dough

### Forage

Sample and source description: Forage

Sample date: 05/09/2023 Source of analysis: Lab analysis Method of reporting: As-is

Moisture: 66.6 %

| | Total N (mg/kg) | Total P (mg/kg) | Total K (mg/kg) | Total salt (mg/kg) | TFS (%) |
|---|---|---|---|---|---|
| **Value** | 5,180.00 | 940.00 | 9,690.00 | | 7.07 |
| **DL** | 100.00 | 100.00 | 100.00 | | 0.01 |

9 Back 40 - 06/03/2023: Corn, silage

Corn Silage

Sample and source description: Corn Silage

Sample date: 10/05/2023 Source of analysis: Lab analysis Method of reporting: As-is

Moisture: 70.8 %

| | Total N (mg/kg) | Total P (mg/kg) | Total K (mg/kg) | Total salt (mg/kg) | TFS (%) |
|---|---|---|---|---|---|
| **Value** | 3,640.00 | 810.00 | 6,500.00 | | 6.89 |
| **DL** | 100.00 | 100.00 | 100.00 | | 0.01 |

## F. SUBSURFACE (TILE) DRAINAGE ANALYSES

*No subsurface (tile) drainage analyses entered.*

NUTRIENT APPLICATIONS, POTENTIAL REMOVAL, AND BALANCE

## A. SUMMARY OF NUTRIENT APPLICATIONS, POTENTIAL REMOVAL, AND BALANCE

| | Total N (lbs) | Total P (lbs) | Total K (lbs) | Total salt (lbs) |
|---|---|---|---|---|
| Existing soil nutrient content | 0.00 | 0.00 | 0.00 | 0.00 |
| Plowdown credit | 0.00 | 0.00 | 0.00 | 0.00 |
| Commercial fertilizer / Other | 24,907.20 | 0.00 | 0.00 | 0.00 |
| Dry manure | 108,599.67 | 39,497.61 | 175,486.60 | 2,198,778.38 |
| Process wastewater | 248,359.35 | 14,451.66 | 263,463.68 | 1,703,975.06 |
| Fresh water | 2,565.85 | 0.00 | 0.00 | 395,796.35 |
| Atmospheric deposition | 17,836.00 | 0.00 | 0.00 | 0.00 |
| Total nutrients applied | 402,268.08 | 53,949.28 | 438,950.27 | 4,298,549.79 |
| Anticipated crop nutrient removal | 433,347.20 | 75,582.62 | 402,239.32 | 0.00 |
| Actual crop nutrient removal | 295,360.78 | 61,466.18 | 658,010.96 | 2,290,837.10 |
| Nutrient balance | 106,907.30 | -7,516.90 | -219,060.69 | 2,007,712.69 |
| Applied to removed ratio | 1.36 | 0.88 | 0.67 | 1.88 |

## B. POUNDS OF NUTRIENT APPLIED VS. CROP REMOVAL

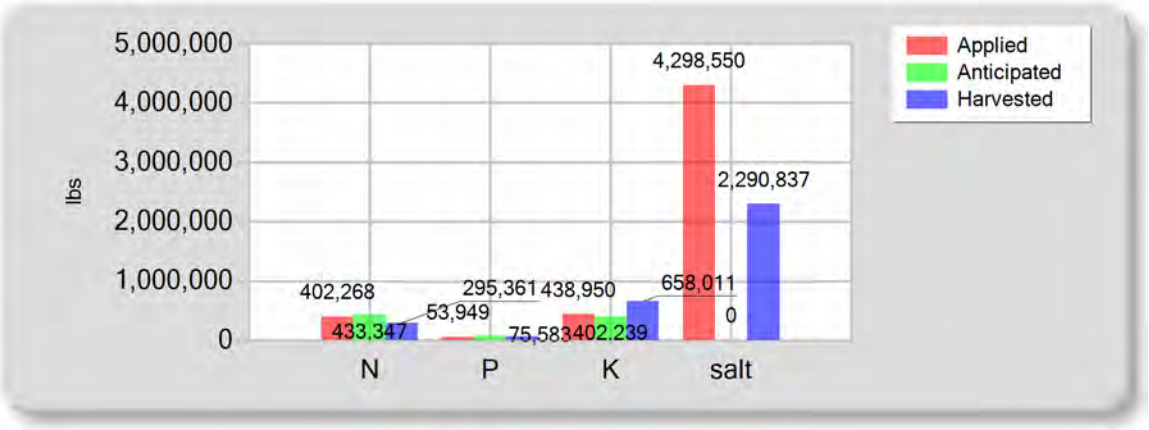

**C. POUNDS OF NUTRIENT APPLIED BY MATERIAL TYPE**

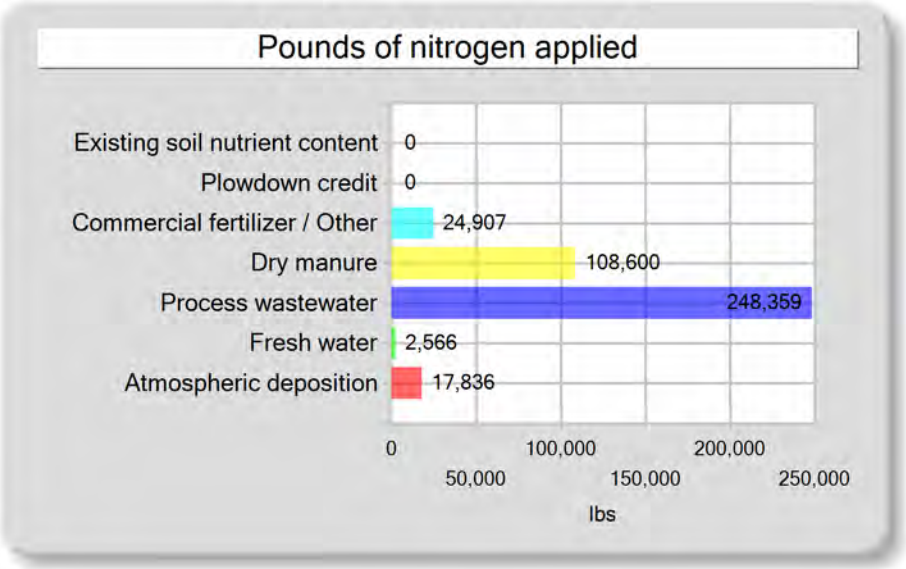


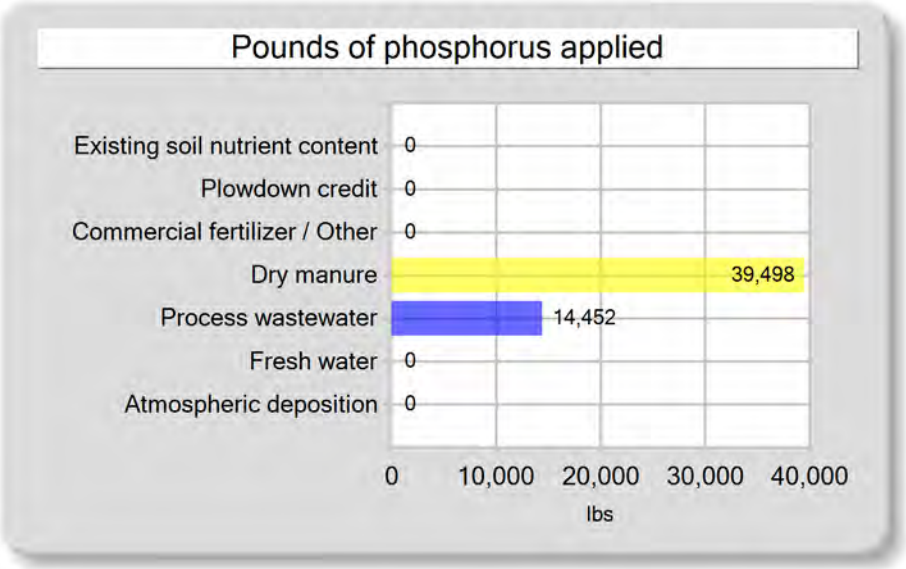


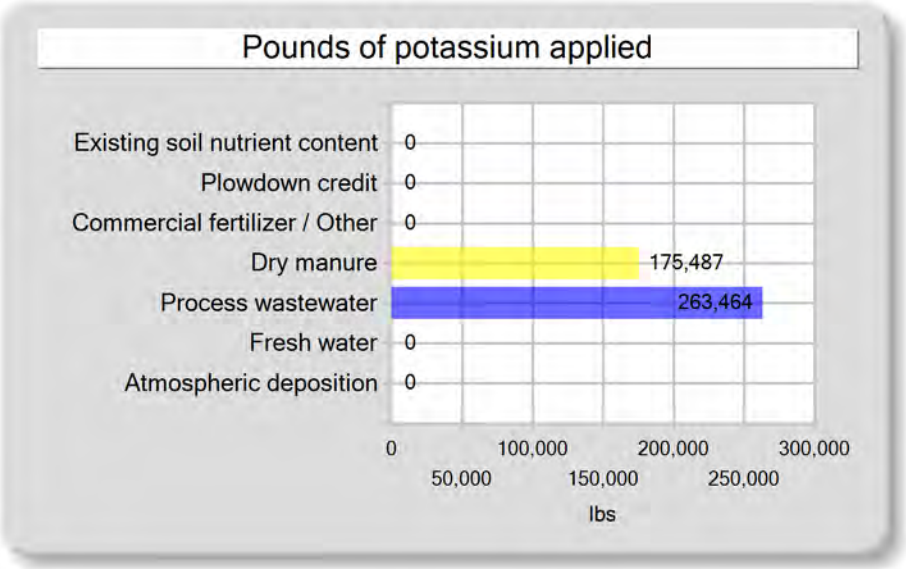


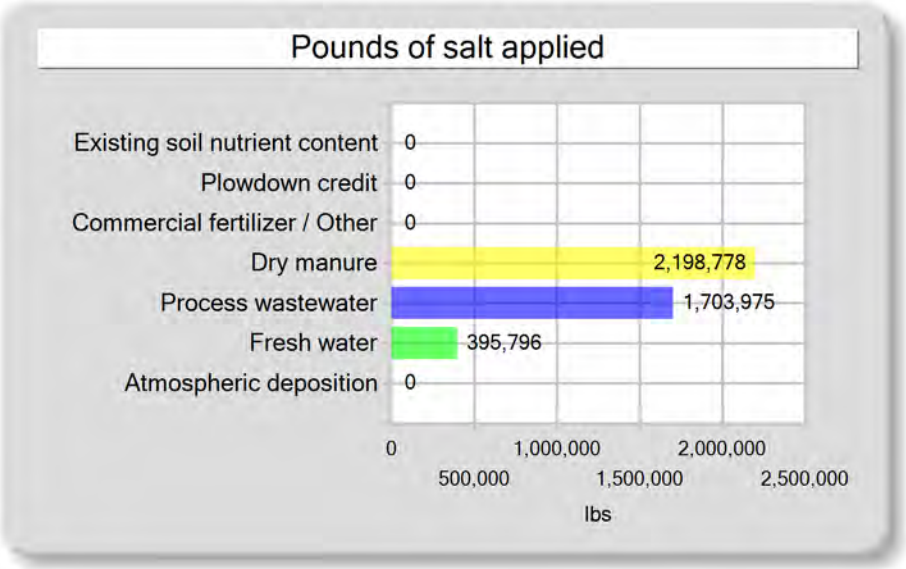

## EXCEPTION REPORTING

### A. MANURE, PROCESS WASTEWATER, AND OTHER DAIRY WASTE DISCHARGES

The following is a summary of all manure and process wastewater discharges from the production area to surface water or to land areas (land application areas or otherwise) when not in accordance with the facility's Nutrient Management Plan.

*No manure or process wastewater discharges occurred during the reporting period.*

### B. STORM WATER DISCHARGES

The following is a summary of all storm water discharges from the production area to surface water during the reporting period when not in accordance with the facility 's Nutrient Management Plan.

*No stormwater discharges occurred during the reporting period.*

### C. LAND APPLICATION AREA TO SURFACE WATER DISCHARGES

The following is a summary of all discharges from the land application area to surface water that have occurred during the reporting period when not in accordance with the facility's Nutrient Management Plan.

*No land application area to surface water discharges occurred during the reporting period.*

## NUTRIENT MANAGEMENT PLAN AND EXPORT AGREEMENT STATEMENTS

### A. NUTRIENT MANAGEMENT PLAN STATEMENTS

| | |
|---|---|
| Was the facility's NMP updated in the reporting period? | No |
| Was the facility's NMP developed by a certified nutrient management planner (specialist) as specified in Attachment C of the General Order? | Yes |
| Was the facility's NMP approved by a certified nutrient management planner (specialist) as specified in Attachment C of the General Order? | Yes |

### B. EXPORT AGREEMENT STATEMENT

| | |
|---|---|
| Are there any written agreements with third parties to receive manure or process wastewater that are new or were revised within the reporting period? | No |

ADDITIONAL NOTES

**A. NOTES**

*No notes entered for this annual report.*

CERTIFICATION

**A. OWNER AND/OR OPERATOR CERTIFICATION**

*I certify under penalty of law that I have personally examined and am familiar with the information submitted in this document and all attachments and that, based on my inquiry of those individuals immediately responsible for obtaining the information, I believe that the information is true, accurate, and complete. I am aware that there are significant penalties for submitting false information, including the possibility of fine and imprisonment.*

Dominic Assali (May 21, 2024 12:13 PDT)

| SIGNATURE OF OWNER OF FACILITY | SIGNATURE OF OPERATOR OF FACILITY |
|---|---|
| Dominic Assali | SAME AS OWNER |
| PRINT OR TYPE NAME | PRINT OR TYPE NAME |
| May 21, 2024 | |
| DATE | DATE |

ATTACHMENTS

## A. REQUIRED ATTACHMENTS

The following lists the required documents that should be attached to the Annual Report when submitted .

| Annual Dairy Facility Assessment |
| --- |
| Provide an Annual Dairy Facility Assessment (an update to the Preliminary Dairy Facility Assessment in Attachment A ) for each reporting period. On the PDFA Final page, click on the ADFA Report button to generate an ADFA report after updating information as needed . |

| Manure/Process Wastewater Tracking Manifests |
| --- |
| Provide copies of all manure/process wastewater tracking manifests for the reporting period, signed by both the owner/operator and the hauler. |

| Corrective Actions Documents |
| --- |
| Provide records documenting any corrective actions taken to correct deficiencies noted as a result of the inspections required in the Monitoring Requirements of the General Order. Deficiencies not corrected in 30 days must be accompanied by an explanation of the factors preventing immediate correction. |

| Groundwater Monitoring |
| --- |
| Dischargers that monitor supply wells or subsurface (tile) drainage systems, or that have monitoring well systems must submit monitoring results as directed in the General Order, Groundwater Reporting Section starting on page MRP-13. |

| Storm Water Monitoring |
| --- |
| Dischargers that are required to monitor storm water more frequently than required in the General Order must submit monitoring results as directed in the General Order, Storm Water Reporting Section on page MRP-14. |

## ATTACHMENT D

# Manure/Process Wastewater Tracking Manifest
## For
## Existing Milk Cow Dairies

Instructions:

1) Complete one manifest for each hauling event, for each destination. A hauling event may last for several days, as long as the manure is being hauled to the same destination.
2) If there are multiple destinations, **complete a separate form for each destination.**
3) The operator must obtain the signature of the hauler upon completion of each manure-hauling event.
4) The operator shall submit copies of manure/process wastewater tracking manifest(s) with the Annual Monitoring Report for Existing Milk Cow Dairies.

**Operator Information:**

Name of Operator: DOMINIC ASSALI

Name of Dairy Facility: DOUBLE D DAIRY

Facility Address: 2207 ROBERTS RD. (Number and Street) CERES (City) 95307 (Zip Code)

Contact Person Name and Phone Number: DOMINIC ASSALI (Name) 209-542-0281 (Phone Number)

**Manure/Process Wastewater Hauler Information:**

Name of Hauling Company/Person: DORES AG SERVICES

Address of Hauling Company /Person: P.O. BOX 65 (Number and Street) STEVINSON (City) 95374 (Zip Code)

Contact Person: PHIL DORES (Name) 209-649-4503 (Phone Number)

**Destination Information:**

Composting Facility / Broker / Farmer / Other (identify) _____ (please circle one)

Contact information of Composting Facility, Broker, Farmer, or Other (as identified above):

PHIL DORES (Name) P.O. BOX 65 (Number and Street) STEVINSON (City) 95374 (Zip Code) 209-649-4503 (Phone Number)

Manure/Process Wastewater Destination Address or Assessor's Parcel Number:

23234 SECOND AVE. (Number and Street) STEVINSON (City) 95374 (Zip Code) _____ (Assessor's Parcel Number)

Dates Hauled: 5/9/23

**Amount Hauled:**

Enter the amount of manure hauled in tons or cubic yards (indicate the units used), the manure solids content (if amount reported in tons) or manure density (if amount reported in cubic yards), and the method used to calculate the amount:

Manure: 5690 Tons or Cubic Yards (indicate which units used)

Manure Solids Content (if amount reported in tons): 8.4 % MOISTURE

Manure Density (if amount reported in cubic yards): _____

Method used to determine amount of manure: _____

569 LOADS @ 10 TONS PER LOAD

Enter the amount of process wastewater hauled in gallons and the method used to determine the amount.

Process Wastewater: _____ Gallons

Method used to determine volume of process wastewater: _____

_____

**Written Agreement:**
Does the Operator have a written agreement (in compliance with Land Application Specification C.2 of Waste Discharge Requirements General Order No. R5-2007-0035) with any party that receives process wastewater from the Operator for its own use? (please check one)

____ Yes _____ No

If the answer is no, the Operator agrees to have such a written agreement with any such party for any process wastewater transferred after **31 December 2007** to such party.
_____ (Operator shall provide initials here to acknowledge this requirement).

**Certification:**
I declare under the penalty of law that I personally examined and am familiar with the information submitted in this document, and that based on my inquiry of those individuals immediately responsible for obtaining the information, I believe that the information is true, accurate, and complete. I am aware that there are significant penalties for submitting false information, including the possibility of a fine and imprisonment for knowing violations.

Operator's Signature: Dominic Assali (May 21, 2024 12:13 PDT) Date: May 21, 2024

Hauler's Signature: _____ Date: 4/23/24

## ATTACHMENT D

## Manure/Process Wastewater Tracking Manifest
## For
## Existing Milk Cow Dairies

Instructions:

1) Complete one manifest for each hauling event, for each destination. A hauling event may last for several days, as long as the manure is being hauled to the same destination.
2) If there are multiple destinations, **complete a separate form for each destination.**
3) The operator must obtain the signature of the hauler upon completion of each manure-hauling event.
4) The operator shall submit copies of manure/process wastewater tracking manifest(s) with the Annual Monitoring Report for Existing Milk Cow Dairies.

**Operator Information:**

Name of Operator: DOMINIC ASSALI

Name of Dairy Facility: DOUBLE D DAIRY

Facility Address: 2207 ROBERTS RD. (Number and Street) CERES (City) 95307 (Zip Code)

Contact Person Name and Phone Number: DOMINIC ASSALI (Name) 209-542-0281 (Phone Number)

**Manure/Process Wastewater Hauler Information:**

Name of Hauling Company/Person: DORES AG SERVICES

Address of Hauling Company /Person: P.O. BOX 65 (Number and Street) STEVINSON (City) 95374 (Zip Code)

Contact Person: PHIL DORES (Name) 209-649-4503 (Phone Number)

**Destination Information:**

Composting Facility / Broker / Farmer / Other (identify) _____ (please circle one)

Contact information of Composting Facility, Broker, Farmer, or Other (as identified above):

PHIL DORES (Name) P.O. BOX 65 (Number and Street) STEVINSON (City) 95374 (Zip Code) 209-649-4503 (Phone Number)

Manure/Process Wastewater Destination Address or Assessor's Parcel Number:

23234 SECOND AVE. (Number and Street) STEVINSON (City) 95374 (Zip Code) _____ (Assessor's Parcel Number)

Dates Hauled: 10/17/23

**Amount Hauled:**

Enter the amount of manure hauled in tons or cubic yards (indicate the units used), the manure solids content (if amount reported in tons) or manure density (if amount reported in cubic yards), and the method used to calculate the amount:

Manure: 6980 Tons or Cubic Yards (indicate which units used)

Manure Solids Content (if amount reported in tons): 41.9 % MOISTURE

Manure Density (if amount reported in cubic yards): _____

Method used to determine amount of manure: _____

698 LOADS @ 10 TONS PER LOAD

Enter the amount of process wastewater hauled in gallons and the method used to determine the amount.

Process Wastewater: _____ Gallons

Method used to determine volume of process wastewater: _____

_____

**Written Agreement:**
Does the Operator have a written agreement (in compliance with Land Application Specification C.2 of Waste Discharge Requirements General Order No. R5-2007-0035) with any party that receives process wastewater from the Operator for its own use? (please check one)

____ Yes _____ No

If the answer is no, the Operator agrees to have such a written agreement with any such party for any process wastewater transferred after **31 December 2007** to such party.
_____ (Operator shall provide initials here to acknowledge this requirement).

**Certification:**
I declare under the penalty of law that I personally examined and am familiar with the information submitted in this document, and that based on my inquiry of those individuals immediately responsible for obtaining the information, I believe that the information is true, accurate, and complete. I am aware that there are significant penalties for submitting false information, including the possibility of a fine and imprisonment for knowing violations.

Operator's Signature: Dominic Assali (May 21, 2024 12:13 PDT) Date: May 21, 2024

Hauler's Signature: _____ Date: 4/23/24

**Denele Analytical, Inc.**

865 South Kilroy Avenue Turlock, CA 95380
Phone (209) 634-9055 - Fax (209) 634-9057

40 N. East Street, Woodland, CA 95776
Phone (530) 666-9056 - Fax (530) 666-9058

www.denelelabs.com

# Compliance Analysis Report

**Customer**
Double D Dairy
1441 E. Monte Vista
Ceres, CA 95307

**Grower**

**Consultant:**
F & R Ag Services
2857 Geer Rd. Ste A
Turlock, CA 95382

PURCHASE ORDER: Dairy #1
RECEIVED DATE: 12/28/23 9:00 AM
SUBMITTED BY: Sean
ANALYZED DATE: 12/28/23

Irrigation/ Ground Water (H1)
SOURCE: Well Water

NOTES: Temperature was above qualifying at 8.8c

| Sample ID | Lab ID | Analyte | Method Ref | Result | Units |
|---|---|---|---|---|---|
| DW-Double D N. | T3362009A | Electrical Conductivity (EC) | EPA 120.1 and | 0.620 | mmhos/cm |
| | | Nitrate Nitrogen (NO3-N) | EPA 353.2 | 9.23 | mg/L |
| | | Ammonia Nitrogen (NH3-N) | SM 4500-NH3 D,C | < 0.500 | mg/L |
| | | Soluble Salts (SALT-SOL) | Calculation | 397 | mg/L |

| Laboratory Quality Control | LCS % | MS % | MSD % | RPD % |
|---|---|---|---|---|
| Ammonia Nitrogen (NH3-N) | 91.2 | 91.0 (T3362002A) | 93.4 (T3362002A) | 2.60 |
| Electrical Conductivity (EC) | 97.0 | | | 0.019 |
| Nitrate Nitrogen (NO3-N) | 100 | 155 (T3362002A) | 150 (T3362002A) | 3.10 |

The warranty of Denele Analytical is limited to the accuracy of the analyses of the samples as received. Denele Analytical assumes no responsibility for which the customer uses our test results, nor liability for any other warranties, express or implied. These terms and conditions shall supercede any conflicting terms and conditions submitted on customer purchase orders or other forms submitted for work.



ELAP Certificate No.: 2714

**Denele Analytical, Inc.**

865 South Kilroy Avenue Turlock, CA 95380
Phone (209) 634-9055 - Fax (209) 634-9057

40 N. East Street, Woodland, CA 95776
Phone (530) 666-9056 - Fax (530) 666-9058

www.denelelabs.com

# Compliance Analysis Report

**Customer**
Double D Dairy
1441 E. Monte Vista
Ceres, CA 95307

**Grower**

**Consultant:**
F & R Ag Services
2857 Geer Rd. Ste A
Turlock, CA 95382

PURCHASE ORDER: Dairy #1
RECEIVED DATE: 12/28/23 9:00 AM
SUBMITTED BY: Sean
ANALYZED DATE: 12/28/23

Irrigation/ Ground Water (H1)
SOURCE: Well Water

NOTES: Temperature was above qualifying at 8.0c

| Sample ID | Lab ID | Analyte | Method Ref | Result | Units |
|---|---|---|---|---|---|
| DW-Double D S. | T3362009B | Electrical Conductivity (EC) | EPA 120.1 and | 0.564 | mmhos/cm |
| | | Nitrate Nitrogen (NO3-N) | EPA 353.2 | 7.86 | mg/L |
| | | Ammonia Nitrogen (NH3-N) | SM 4500-NH3 D,C | < 0.500 | mg/L |
| | | Soluble Salts (SALT-SOL) | Calculation | 361 | mg/L |

| Laboratory Quality Control | LCS % | MS % | MSD % | RPD % |
|---|---|---|---|---|
| Ammonia Nitrogen (NH3-N) | 91.2 | 91.0 (T3362002A) | 93.4 (T3362002A) | 2.60 |
| Electrical Conductivity (EC) | 97.0 | | | 0.019 |
| Nitrate Nitrogen (NO3-N) | 100 | 155 (T3362002A) | 150 (T3362002A) | 3.10 |

The warranty of Denele Analytical is limited to the accuracy of the analyses of the samples as received. Denele Analytical assumes no responsibility for which the customer uses our test results, nor liability for any other warranties, express or implied. These terms and conditions shall supercede any conflicting terms and conditions submitted on customer purchase orders or other forms submitted for work.



ELAP Certificate No.: 2714

**Denele Analytical, Inc.**

865 South Kilroy Avenue Turlock, CA 95380
Phone (209) 634-9055 - Fax (209) 634-9057

40 N. East Street, Woodland, CA 95776
Phone (530) 666-9056 - Fax (530) 666-9058

www.denelelabs.com

# Compliance Analysis Report

**Customer**
Double D Dairy
1441 E. Monte Vista
Ceres, CA 95307

**Grower**

**Consultant:**
F & R Ag Services
2857 Geer Rd. Ste A
Turlock, CA 95382

PURCHASE ORDER: Dairy #1
RECEIVED DATE: 12/28/23 9:00 AM
SUBMITTED BY: Sean
ANALYZED DATE: 12/28/23

Irrigation/ Ground Water (H1)
SOURCE: Well Water

NOTES: Temperature was above qualifying at 7.6c

| Sample ID | Lab ID | Analyte | Method Ref | Result | Units |
|---|---|---|---|---|---|
| DW-Harolds House | T3362009C | Electrical Conductivity (EC) | EPA 120.1 and | 0.708 | mmhos/cm |
| | | Nitrate Nitrogen (NO3-N) | EPA 353.2 | 0.492 | mg/L |
| | | Ammonia Nitrogen (NH3-N) | SM 4500-NH3 D,C | < 0.500 | mg/L |
| | | Soluble Salts (SALT-SOL) | Calculation | 453 | mg/L |

| Laboratory Quality Control | LCS % | MS % | MSD % | RPD % |
|---|---|---|---|---|
| Ammonia Nitrogen (NH3-N) | 91.2 | 91.0 (T3362002A) | 93.4 (T3362002A) | 2.60 |
| Electrical Conductivity (EC) | 97.0 | | | 0.019 |
| Nitrate Nitrogen (NO3-N) | 100 | 155 (T3362002A) | 150 (T3362002A) | 3.10 |

The warranty of Denele Analytical is limited to the accuracy of the analyses of the samples as received. Denele Analytical assumes no responsibility for which the customer uses our test results, nor liability for any other warranties, express or implied. These terms and conditions shall supercede any conflicting terms and conditions submitted on customer purchase orders or other forms submitted for work.

**Denele Analytical, Inc.**

865 South Kilroy Avenue Turlock, CA 95380
Phone (209) 634-9055 - Fax (209) 634-9057

40 N. East Street, Woodland, CA 95776
Phone (530) 666-9056 - Fax (530) 666-9058

www.denelelabs.com

# Compliance Analysis Report

**Customer**
Double D Dairy
1441 E. Monte Vista
Ceres, CA 95307

**Grower**

**Consultant:**
F & R Ag Services
2857 Geer Rd. Ste A
Turlock, CA 95382

PURCHASE ORDER: Dairy #1
RECEIVED DATE: 12/28/23 9:00 AM
SUBMITTED BY: Sean
ANALYZED DATE: 12/28/23

Irrigation/ Ground Water (H1)
SOURCE: Well Water

NOTES: Temperature was above qualifying at 8.0c

| Sample ID | Lab ID | Analyte | Method Ref | Result | Units |
|---|---|---|---|---|---|
| DW-Manuel House | T3362009D | Electrical Conductivity (EC) | EPA 120.1 and | 0.786 | mmhos/cm |
| | | Nitrate Nitrogen (NO3-N) | EPA 353.2 | 12.0 | mg/L |
| | | Ammonia Nitrogen (NH3-N) | SM 4500-NH3 D,C | < 0.500 | mg/L |
| | | Soluble Salts (SALT-SOL) | Calculation | 503 | mg/L |

| Laboratory Quality Control | LCS % | MS % | MSD % | RPD % |
|---|---|---|---|---|
| Ammonia Nitrogen (NH3-N) | 91.2 | 91.0 (T3362002A) | 93.4 (T3362002A) | 2.60 |
| Electrical Conductivity (EC) | 97.0 | | | 0.019 |
| Nitrate Nitrogen (NO3-N) | 100 | 155 (T3362002A) | 150 (T3362002A) | 3.10 |

The warranty of Denele Analytical is limited to the accuracy of the analyses of the samples as received. Denele Analytical assumes no responsibility for which the customer uses our test results, nor liability for any other warranties, express or implied. These terms and conditions shall supercede any conflicting terms and conditions submitted on customer purchase orders or other forms submitted for work.

**Denele Analytical, Inc.**

865 South Kilroy Avenue Turlock, CA 95380
Phone (209) 634-9055 - Fax (209) 634-9057

40 N. East Street, Woodland, CA 95776
Phone (530) 666-9056 - Fax (530) 666-9058

www.denelelabs.com

# Compliance Analysis Report

**Customer**
Double D Dairy
1441 E. Monte Vista
Ceres, CA 95307

**Grower**

**Consultant:**
F & R Ag Services
2857 Geer Rd. Ste A
Turlock, CA 95382

PURCHASE ORDER: Dairy #1
RECEIVED DATE: 12/28/23 9:00 AM
SUBMITTED BY: Sean
ANALYZED DATE: 12/27/23

Irrigation/ Ground Water (H1)
SOURCE: Well Water

NOTES: Temperature was above qualifying at 8.2c

| Sample ID | Lab ID | Analyte | Method Ref | Result | Units |
|---|---|---|---|---|---|
| DW-Two Story | T3362009E | Electrical Conductivity (EC) | EPA 120.1 and | 0.782 | mmhos/cm |
| | | Nitrate Nitrogen (NO3-N) | EPA 353.2 | 11.6 | mg/L |
| | | Ammonia Nitrogen (NH3-N) | SM 4500-NH3 D,C | < 0.500 | mg/L |
| | | Soluble Salts (SALT-SOL) | Calculation | 500 | mg/L |

| Laboratory Quality Control | LCS % | MS % | MSD % | RPD % |
|---|---|---|---|---|
| Ammonia Nitrogen (NH3-N) | 99.0 | 100 (T3361001G) | 98.2 (T3361001G) | 1.81 |
| Electrical Conductivity (EC) | 97.0 | | | 0.019 |
| Nitrate Nitrogen (NO3-N) | 100 | 155 (T3362002A) | 150 (T3362002A) | 3.10 |

The warranty of Denele Analytical is limited to the accuracy of the analyses of the samples as received. Denele Analytical assumes no responsibility for which the customer uses our test results, nor liability for any other warranties, express or implied. These terms and conditions shall supercede any conflicting terms and conditions submitted on customer purchase orders or other forms submitted for work.

**Denele Analytical, Inc.**

865 South Kilroy Avenue Turlock, CA 95380
Phone (209) 634-9055 - Fax (209) 634-9057

40 N. East Street, Woodland, CA 95776
Phone (530) 666-9056 - Fax (530) 666-9058

www.denelelabs.com

# Compliance Analysis Report

**Customer**
Double D Dairy
1441 E. Monte Vista
Ceres, CA 95307

**Grower**

**Consultant:**
F & R Ag Services
2857 Geer Rd. Ste A
Turlock, CA 95382

PURCHASE ORDER: Dairy #1
RECEIVED DATE: 12/28/23 9:00 AM
SUBMITTED BY: Sean
ANALYZED DATE: 12/27/23

Irrigation/ Ground Water (H1)
SOURCE: Well Water

NOTES: Temperature was above qualifying at 9.0c

| Sample ID | Lab ID | Analyte | Method Ref | Result | Units |
|---|---|---|---|---|---|
| DW-Dominic House | T3362009F | Electrical Conductivity (EC) | EPA 120.1 and | 0.378 | mmhos/cm |
| | | Nitrate Nitrogen (NO3-N) | EPA 353.2 | 2.54 | mg/L |
| | | Ammonia Nitrogen (NH3-N) | SM 4500-NH3 D,C | < 0.500 | mg/L |
| | | Soluble Salts (SALT-SOL) | Calculation | 242 | mg/L |

| Laboratory Quality Control | LCS % | MS % | MSD % | RPD % |
|---|---|---|---|---|
| Ammonia Nitrogen (NH3-N) | 99.0 | 100 (T3361001G) | 98.2 (T3361001G) | 1.81 |
| Electrical Conductivity (EC) | 97.0 | | | 0.019 |
| Nitrate Nitrogen (NO3-N) | 100 | 155 (T3362002A) | 150 (T3362002A) | 3.10 |

The warranty of Denele Analytical is limited to the accuracy of the analyses of the samples as received. Denele Analytical assumes no responsibility for which the customer uses our test results, nor liability for any other warranties, express or implied. These terms and conditions shall supercede any conflicting terms and conditions submitted on customer purchase orders or other forms submitted for work.

# DENELE ANALYTICAL, INC.

865 S. KILROY
TURLOCK, CA 95380
PH# 209-634-9055 FAX# 209-634-9057

## DAIRY COMPLIANCE

Client: DOUBLE D DAIRY
Mailing address:
(not facility address) CERES CA
Phone#:

Authorized Copy Released To: F+R AG

Sampled By: DOMINIC
Project ID: DAIRY #1

## ANALYSIS TO BE COMPLETED:

**IRRIGATION/GROUND WATER**
- H1 EC*, NO3-N, NH4-N*
- H6 EC, TN, TDS
- H7 Combination of H1 & H6
- H14 EC, NO3-N, NH4-N, Ca, Mg, Na, Bicarb Carb, SO4, Cl, TDS

**PROCESS WASTE WATER**
- H3 EC*, NH4-N, TKN, TP, K, TDS
- H4 EC*, NO3-N, NH4-N, TKN, TP, K, TDS
- H5 Ca, Mg, Na, Bicarb, Carb, SO4, Cl
- H8 Combination of H3 &H5
- H9 Combination of H4 &H5

**TILE DRAIN**
- H2 EC*, NO3-N, TP, NH4-N*, TDS

** Required Field Measurement*

___ (Check here if performed)

**DISCHARGE WATER**
- E1 EC*, Temp*, pH*, NO3-N, NH4-N, TKN, TP, K, TDS, Dissolved Oxygen*, BOD 5, TSS, Total & Fecal Coliforms
- E2 EC,* Temp*, pH*, NO3-N, NH4-N*, Turbidity, TP, Dissolved Oxygen*, Total & Fecal Coliforms
- E3 EC*, Temp*, pH*, NO3-N, NH4-N*, TP, Total & Fecal Coliforms
- E4 EC*, Temp*, pH*, NO3-N, NH4-N*, Turbidity, TP, Total & Fecal Coliform

**MANURE**
- M1 % Moisture
- M3 TN TP, K, % Moisture
- M4 Ca, Mg, Na, Bicarb, Carb, SO4, Cl, Ash
- M7 Combination of M3 & M4

**PLANT TISSUE**
- F18 % Moisture, Ash, TN, P, K, DM and as received
- F18+ % Moisture, Ash, TN, P, K, DM and as received (Package also includes NIR DCAD)
- F19+ % Moisture, TN (Package includes complete plant tissue analysis)

**SOIL**
- K3 Soluble Phosphorus
- K4 1ft NO3, Organic Matter
- K5 Pre-Plant (2ft NO3), Fall (1-2ft NO3), Fall (2-3ft NO3)
- K6 0-1ft EC, NO3, Soluble P, K, Organic Matter
- K7 Combination of K3 & K4
- K8 Combination of K3 & K5

| | Date Collected | Time Collected | Sample ID | Description | Temp | Well Purge | Analysis: H1 | H3 | M3 | F18 | OTHER |
|---|---|---|---|---|---|---|---|---|---|---|---|
| 1 | 12/27/23 | 1:00 | DW - DOUBLE D N. | DOMESTIC | 8.8°C | | X | | | | |
| 2 | | 1:05 | DW - DOUBLE D S. | | 8.0°C | | X | | | | |
| 3 | | 1:10 | DW - HAROLDS HOUSE | | 7.6°C | | X | | | | |
| 4 | | 1:15 | DW - MANUEL HOUSE | | 8.0°C | | X | | | | |
| 5 | | 1:20 | DW - TWO STORY | | 8.2°C | | X | | | | |
| 6 | | 1:25 | DW - DOMINIC HOUSE | | 9.0°C | | X | | | | |
| 7 | | | | | | | | | | | |
| 8 | | | | | | | | | | | |
| 9 | | | | | | | | | | | |
| 10 | | | | | | | | | | | |

**CHAIN OF CUSTODY RECORDING**

| | Signature | Company | Received Date & Time | Relinquished Date & Time | Logged in By: | LABORATORY NUMBER |
|---|---|---|---|---|---|---|
| 1st | | F+R | | | | |
| 2nd | | DENELE ANALYTICAL, INC. | | | | T3362009 |

(LABORATORY USE ONLY)

Required to be submitted to any agency? (YES / NO)

**Denele Analytical, Inc.**

865 South Kilroy Avenue Turlock, CA 95380
Phone (209) 634-9055 - Fax (209) 634-9057

40 N. East Street, Woodland, CA 95776
Phone (530) 666-9056 - Fax (530) 666-9058

www.denelelabs.com

# Compliance Analysis Report

**Customer**
Double D Dairy
1441 E. Monte Vista
Ceres, CA 95307

**Grower**

**Consultant:**
F & R Ag Services
2857 Geer Rd. Ste A
Turlock, CA 95382

PURCHASE ORDER: Dairy #1
RECEIVED DATE: 12/28/23 9:00 AM
SUBMITTED BY: Sean
ANALYZED DATE: 12/27/23

Irrigation / Ground Water (H7)
SOURCE: Irrigation Water

NOTES: Temperature was above qualifying at 9.0c

| Sample ID | Lab ID | Analyte | Method Ref | Result | Units |
|---|---|---|---|---|---|
| IW-Dairy | T3362010A | Electrical Conductivity (EC) | EPA 120.1 and | 0.678 | mmhos/cm |
| | | Ammonia Nitrogen (NH3-N) | SM 4500-NH3 D,C | < 0.500 | mg/L |
| | | Nitrate Nitrogen (NO3-N) | EPA 353.2 | 8.21 | mg/L |
| | | Total Dissolved Solids (TDS) | SM 2540 C-1997 and | 355 | mg/L |
| | | Total Nitrogen (TN) | SM 4500-NH3 D,C | 8.77 | mg/L |
| | | Soluble Salts (SALT-SOL) | Calculation | 434 | mg/L |

| Laboratory Quality Control | LCS % | MS % | MSD % | Sample mg/L | Dup mg/L | RPD % |
|---|---|---|---|---|---|---|
| Ammonia Nitrogen (NH3-N) | 99.0 | 100 (T3361001G) | 98.2 (T3361001G) | | | 1.81 |
| Electrical Conductivity (EC) | 97.0 | | | 0.542 (T3362005A) | 0.542 (Dup) | 0.019 |
| Nitrate Nitrogen (NO3-N) | 104 | 105 (T3361023A) | 103 (T3361023A) | | | 1.64 |
| Total Dissolved Solids (TDS) | 104 | | | 560 (T3362017B) | 595 (Dup) | 6.06 |
| Total Nitrogen (TN) | 102 | | | 0.280 (T3353003G) | 0.280 (null) | 0.000 |

The warranty of Denele Analytical is limited to the accuracy of the analyses of the samples as received. Denele Analytical assumes no responsibility for which the customer uses our test results, nor liability for any other warranties, express or implied. These terms and conditions shall supercede any conflicting terms and conditions submitted on customer purchase orders or other forms submitted for work.



ELAP Certificate No.: 2714

**Denele Analytical, Inc.**

865 South Kilroy Avenue Turlock, CA 95380
Phone (209) 634-9055 - Fax (209) 634-9057

40 N. East Street, Woodland, CA 95776
Phone (530) 666-9056 - Fax (530) 666-9058

www.denelelabs.com

# Compliance Analysis Report

**Customer**
Double D Dairy
1441 E. Monte Vista
Ceres, CA 95307

**Grower**

**Consultant:**
F & R Ag Services
2857 Geer Rd. Ste A
Turlock, CA 95382

PURCHASE ORDER: Dairy #1
RECEIVED DATE: 12/28/23 9:00 AM
SUBMITTED BY: Sean
ANALYZED DATE: 12/27/23

Irrigation / Ground Water (H7)
SOURCE: Irrigation Water

NOTES: Temperature was above qualifying at 9.0c

| Sample ID | Lab ID | Analyte | Method Ref | Result | Units |
|---|---|---|---|---|---|
| IW-Berryhill W | T3362010B | Electrical Conductivity (EC) | EPA 120.1 and | 0.726 | mmhos/cm |
| | | Ammonia Nitrogen (NH3-N) | SM 4500-NH3 D,C | < 0.500 | mg/L |
| | | Nitrate Nitrogen (NO3-N) | EPA 353.2 | 26.7 | mg/L |
| | | Total Dissolved Solids (TDS) | SM 2540 C-1997 and | 380 | mg/L |
| | | Total Nitrogen (TN) | SM 4500-NH3 D,C | 26.7 | mg/L |
| | | Soluble Salts (SALT-SOL) | Calculation | 465 | mg/L |

| Laboratory Quality Control | LCS % | MS % | MSD % | Sample mg/L | Dup mg/L | RPD % |
|---|---|---|---|---|---|---|
| Ammonia Nitrogen (NH3-N) | 99.0 | 100 (T3361001G) | 98.2 (T3361001G) | | | 1.81 |
| Electrical Conductivity (EC) | 97.0 | | | 0.542 (T3362005A) | 0.542 (Dup) | 0.019 |
| Nitrate Nitrogen (NO3-N) | 104 | 105 (T3361023A) | 103 (T3361023A) | | | 1.64 |
| Total Dissolved Solids (TDS) | 104 | | | 560 (T3362017B) | 595 (Dup) | 6.06 |
| Total Nitrogen (TN) | 102 | | | 0.280 (T3353003G) | 0.280 (null) | 0.000 |

The warranty of Denele Analytical is limited to the accuracy of the analyses of the samples as received. Denele Analytical assumes no responsibility for which the customer uses our test results, nor liability for any other warranties, express or implied. These terms and conditions shall supercede any conflicting terms and conditions submitted on customer purchase orders or other forms submitted for work.

**Denele Analytical, Inc.**

865 South Kilroy Avenue Turlock, CA 95380
Phone (209) 634-9055 - Fax (209) 634-9057

40 N. East Street, Woodland, CA 95776
Phone (530) 666-9056 - Fax (530) 666-9058

www.denelelabs.com

# Compliance Analysis Report

**Customer**
Double D Dairy
1441 E. Monte Vista
Ceres, CA 95307

**Grower**

**Consultant:**
F & R Ag Services
2857 Geer Rd. Ste A
Turlock, CA 95382

PURCHASE ORDER: Dairy #1
RECEIVED DATE: 12/28/23 9:00 AM
SUBMITTED BY: Sean
ANALYZED DATE: 12/27/23

Irrigation / Ground Water (H7)
SOURCE: Irrigation Water

NOTES: Temperature was above qualifying at 8.8c

| Sample ID | Lab ID | Analyte | Method Ref | Result | Units |
|---|---|---|---|---|---|
| IW-Berryhill N | T3362010C | Electrical Conductivity (EC) | EPA 120.1 and | 0.712 | mmhos/cm |
| | | Ammonia Nitrogen (NH3-N) | SM 4500-NH3 D,C | < 0.500 | mg/L |
| | | Nitrate Nitrogen (NO3-N) | EPA 353.2 | 8.82 | mg/L |
| | | Total Dissolved Solids (TDS) | SM 2540 C-1997 and | 390 | mg/L |
| | | Total Nitrogen (TN) | SM 4500-NH3 D,C | 8.82 | mg/L |
| | | Soluble Salts (SALT-SOL) | Calculation | 456 | mg/L |

| Laboratory Quality Control | LCS % | MS % | MSD % | Sample mg/L | Dup mg/L | RPD % |
|---|---|---|---|---|---|---|
| Ammonia Nitrogen (NH3-N) | 99.0 | 100 (T3361001G) | 98.2 (T3361001G) | | | 1.81 |
| Electrical Conductivity (EC) | 97.0 | | | 0.542 (T3362005A) | 0.542 (Dup) | 0.019 |
| Nitrate Nitrogen (NO3-N) | 104 | 105 (T3361023A) | 103 (T3361023A) | | | 1.64 |
| Total Dissolved Solids (TDS) | 104 | | | 560 (T3362017B) | 595 (Dup) | 6.06 |
| Total Nitrogen (TN) | 102 | | | 0.280 (T3353003G) | 0.280 (null) | 0.000 |

The warranty of Denele Analytical is limited to the accuracy of the analyses of the samples as received. Denele Analytical assumes no responsibility for which the customer uses our test results, nor liability for any other warranties, express or implied. These terms and conditions shall supercede any conflicting terms and conditions submitted on customer purchase orders or other forms submitted for work.

**Denele Analytical, Inc.**

865 South Kilroy Avenue Turlock, CA 95380
Phone (209) 634-9055 - Fax (209) 634-9057

40 N. East Street, Woodland, CA 95776
Phone (530) 666-9056 - Fax (530) 666-9058

www.denelelabs.com

# Compliance Analysis Report

**Customer**
Double D Dairy
1441 E. Monte Vista
Ceres, CA 95307

**Grower**

**Consultant:**
F & R Ag Services
2857 Geer Rd. Ste A
Turlock, CA 95382

PURCHASE ORDER: Dairy #1
RECEIVED DATE: 12/28/23 9:00 AM
SUBMITTED BY: Sean
ANALYZED DATE: 12/28/23

Irrigation / Ground Water (H7)
SOURCE: Irrigation Water

NOTES: Temperature was above qualifying at 8.0c

| Sample ID | Lab ID | Analyte | Method Ref | Result | Units |
|---|---|---|---|---|---|
| IW-Harolds Field | T3362010D | Electrical Conductivity (EC) | EPA 120.1 and | 0.710 | mmhos/cm |
| | | Ammonia Nitrogen (NH3-N) | SM 4500-NH3 D,C | < 0.500 | mg/L |
| | | Nitrate Nitrogen (NO3-N) | EPA 353.2 | 0.488 | mg/L |
| | | Total Dissolved Solids (TDS) | SM 2540 C-1997 and | 340 | mg/L |
| | | Total Nitrogen (TN) | SM 4500-NH3 D,C | < 1.50 | mg/L |
| | | Soluble Salts (SALT-SOL) | Calculation | 454 | mg/L |

| Laboratory Quality Control | LCS % | MS % | MSD % | Sample mg/L | Dup mg/L | RPD % |
|---|---|---|---|---|---|---|
| Ammonia Nitrogen (NH3-N) | 91.2 | 91.0 (T3362002A) | 93.4 (T3362002A) | | | 2.60 |
| Electrical Conductivity (EC) | 97.0 | | | 0.542 (T3362005A) | 0.542 (Dup) | 0.019 |
| Nitrate Nitrogen (NO3-N) | 104 | 105 (T3361023A) | 103 (T3361023A) | | | 1.64 |
| Total Dissolved Solids (TDS) | 104 | | | 560 (T3362017B) | 595 (Dup) | 6.06 |
| Total Nitrogen (TN) | 102 | | | 0.280 (T3353003G) | 0.280 (null) | 0.000 |

The warranty of Denele Analytical is limited to the accuracy of the analyses of the samples as received. Denele Analytical assumes no responsibility for which the customer uses our test results, nor liability for any other warranties, express or implied. These terms and conditions shall supercede any conflicting terms and conditions submitted on customer purchase orders or other forms submitted for work.

**Denele Analytical, Inc.**

865 South Kilroy Avenue Turlock, CA 95380
Phone (209) 634-9055 - Fax (209) 634-9057

40 N. East Street, Woodland, CA 95776
Phone (530) 666-9056 - Fax (530) 666-9058

www.denelelabs.com

# Compliance Analysis Report

**Customer**
Double D Dairy
1441 E. Monte Vista
Ceres, CA 95307

**Grower**

**Consultant:**
F & R Ag Services
2857 Geer Rd. Ste A
Turlock, CA 95382

PURCHASE ORDER: Dairy #1
RECEIVED DATE: 12/28/23 9:00 AM
SUBMITTED BY: Sean
ANALYZED DATE: 12/28/23

Irrigation / Ground Water (H7)
SOURCE: Irrigation Water

NOTES: Temperature was above qualifying at 9.0c

| Sample ID | Lab ID | Analyte | Method Ref | Result | Units |
|---|---|---|---|---|---|
| IW-ET Vincent | T3362010E | Electrical Conductivity (EC) | EPA 120.1 and | 0.649 | mmhos/cm |
| | | Ammonia Nitrogen (NH3-N) | SM 4500-NH3 D,C | < 0.500 | mg/L |
| | | Nitrate Nitrogen (NO3-N) | EPA 353.2 | 11.6 | mg/L |
| | | Total Dissolved Solids (TDS) | SM 2540 C-1997 and | 335 | mg/L |
| | | Total Nitrogen (TN) | SM 4500-NH3 D,C | 11.6 | mg/L |
| | | Soluble Salts (SALT-SOL) | Calculation | 415 | mg/L |

| Laboratory Quality Control | LCS % | MS % | MSD % | Sample mg/L | Dup mg/L | RPD % |
|---|---|---|---|---|---|---|
| Ammonia Nitrogen (NH3-N) | 91.2 | 91.0 (T3362002A) | 93.4 (T3362002A) | | | 2.60 |
| Electrical Conductivity (EC) | 96.7 | | | 0.649 (T3362010E) | 0.649 (Dup) | 0.015 |
| Nitrate Nitrogen (NO3-N) | 104 | 105 (T3361023A) | 103 (T3361023A) | | | 1.64 |
| Total Dissolved Solids (TDS) | 104 | | | 560 (T3362017B) | 595 (Dup) | 6.06 |
| Total Nitrogen (TN) | 102 | | | 0.280 (T3353003G) | 0.280 (null) | 0.000 |

The warranty of Denele Analytical is limited to the accuracy of the analyses of the samples as received. Denele Analytical assumes no responsibility for which the customer uses our test results, nor liability for any other warranties, express or implied. These terms and conditions shall supercede any conflicting terms and conditions submitted on customer purchase orders or other forms submitted for work.

# DENELE ANALYTICAL, INC.

865 S. KILROY
TURLOCK, CA 95380

PH# 209-634-9055 FAX# 209-634-9057

## DAIRY COMPLIANCE

Client: DOUBLE D DAIRY
Mailing address:
(not facility address) CERES CA
Phone#:

Authorized Copy Released To: F+R AG
Sampled By: DOMINIC
Project ID: DAIRY #1

## ANALYSIS TO BE COMPLETED:

**IRRIGATION/GROUND WATER**
- H1 EC*, NO3-N, NH4-N*
- H6 EC, TN, TDS
- H7 Combination of H1 & H6
- H14 EC, NO3-N, NH4-N, Ca, Mg, Na, Bicarb Carb, SO4, Cl, TDS

**PROCESS WASTE WATER**
- H3 EC*, NH4-N, TKN, TP, K, TDS
- H4 EC*, NO3-N, NH4-N, TKN, TP, K, TDS
- H5 Ca, Mg, Na, Bicarb, Carb, SO4, Cl
- H8 Combination of H3 &H5
- H9 Combination of H4 &H5

**TILE DRAIN**
- H2 EC*, NO3-N, TP, NH4-N*, TDS

** Required Field Measurement*

___ (Check here if performed)

**DISCHARGE WATER**
- E1 EC*, Temp*, pH*, NO3-N, NH4-N, TKN, TP, K, TDS, Dissolved Oxygen*, BOD 5, TSS, Total & Fecal Coliforms
- E2 EC,* Temp*, pH*, NO3-N, NH4-N*, Turbidity, TP, Dissolved Oxygen*, Total & Fecal Coliforms
- E3 EC*, Temp*, pH*, NO3-N, NH4-N*, TP, Total & Fecal Coliforms
- E4 EC*, Temp*, pH*, NO3-N, NH4-N*, Turbidity, TP, Total & Fecal Coliform

**MANURE**
- M1 % Moisture
- M3 TN TP, K, % Moisture
- M4 Ca, Mg, Na, Bicarb, Carb, SO4, Cl, Ash
- M7 Combination of M3 & M4

**PLANT TISSUE**
- F18 % Moisture, Ash, TN, P, K, DM and as received
- F18+ % Moisture, Ash, TN, P, K, DM and as received (Package also includes NIR DCAD)
- F19+ % Moisture, TN (Package includes complete plant tissue analysis)

**SOIL**
- K3 Soluble Phosphorus
- K4 1ft NO3, Organic Matter
- K5 Pre-Plant (2ft NO3), Fall (1-2ft NO3), Fall (2-3ft NO3)
- K6 0-1ft EC, NO3, Soluble P, K, Organic Matter
- K7 Combination of K3 & K4
- K8 Combination of K3 & K5

| | Date Collected | Time Collected | Sample ID | Description | Temp | Well Purge | H1 | H3 | M3 | F18 | OTHER |
|---|---|---|---|---|---|---|---|---|---|---|---|
| 1 | 12/27/23 | 1:30 | IW - DAIRY | AG WELL | 9.0°C | | | | | | H7 |
| 2 | | 1:40 | IW- BERRYHILL W | | 9.0°C | | | | | | H7 |
| 3 | | 1:50 | IW- BERRYHILL N | | 8.8°C | | | | | | H7 |
| 4 | | 2:00 | IW- HAROLDS FIELD | | 8.0°C | | | | | | H7 |
| 5 | | 2:10 | IW- ET VINCENT | | 9.0°C | | | | | | H7 |
| 6 | | | | | | | | | | | |
| 7 | | | | | | | | | | | |
| 8 | | | | | | | | | | | |
| 9 | | | | | | | | | | | |
| 10 | | | | | | | | | | | |

Analysis

## CHAIN OF CUSTODY RECORDING

| | Signature | Company | Received Date & Time | Relinquished Date & Time | (LABORATORY USE ONLY) Logged in By: | LABORATORY NUMBER |
|---|---|---|---|---|---|---|
| 1st | | F+R | | | | |
| 2nd | | DENELE ANALYTICAL, INC. | 12-28-23 9:00 | | | T3362010 |

Required to be submitted to any agency? (YES / NO)

# 2023 Double D #1 Annual Report

Final Audit Report 2024-05-21

| | |
|---|---|
| Created: | 2024-05-20 |
| By: | Sean Locke (slocke@fragservices.com) |
| Status: | Signed |
| Transaction ID: | CBJCHBCAABAAFZPVJGkOStEAZbY2lU4H_Kuu-t40whVz |

## "2023 Double D #1 Annual Report" History

Document created by Sean Locke (slocke@fragservices.com)
2024-05-20 - 11:58:58 PM GMT

Document emailed to doubledholsteins@yahoo.com for signature
2024-05-21 - 0:00:08 AM GMT

Email viewed by doubledholsteins@yahoo.com
2024-05-21 - 4:36:26 AM GMT

Signer doubledholsteins@yahoo.com entered name at signing as Dominic Assali
2024-05-21 - 7:13:30 PM GMT

Document e-signed by Dominic Assali (doubledholsteins@yahoo.com)
Signature Date: 2024-05-21 - 7:13:32 PM GMT - Time Source: server

Agreement completed.
2024-05-21 - 7:13:32 PM GMT