Annual Report - General Order No. R5-2007-0035
Reporting period 01/01/2023 to 12/31/2023.

DAIRY FACILITY INFORMATION

A. NAME OF DAIRY OR BUSINESS OPERATING THE DAIRY: Borba & Sons (Formerly PMB Dairy)

Physical address of dairy:

2248 W Service RD	Modesto	Stanislaus	95358
Number and Street	City	County	Zip Code

Street and nearest cross street (if no address):

Date facility was originally placed in operation: 01/01/1954

Regional Water Quality Control Board Basin Plan designation: San Joaquin River Basin

County Assessor Parcel Number(s) for dairy facility:

X041-X001-X022-XXXX

B. OPERATORS

Borba, Frank A

Operator name: Borba, Frank A

Telephone no.: (209) 531-0202 Landline, (209) 531-8702 Cellular

2323 W Keyes RD	Modesto	CA	95358
Mailing Address Number and Street	City	State	Zip Code

This operator is responsible for paying permit fees.

C. OWNERS

Borba, Frank A

Legal owner name: Borba, Frank A

Telephone no.: (209) 531-0202 Landline, (209) 531-8702 Cellular

2323 W Keyes RD	Modesto	CA	95358
Mailing Address Number and Street	City	State	Zip Code

This owner is responsible for paying permit fees.

AVAILABLE NUTRIENTS

A. HERD INFORMATION

	Milk Cows	Dry Cows	Bred Heifers (15-24 mo.)	Heifers (7-14 mo. to breeding)	Calves (4-6 mo.)	Calves (0-3 mo.)
Number open confinement	0	0	0	0	0	0
Number under roof	0	0	0	420	40	0
Maximum number	0	0	0	420	40	0
Average number	0	0	0	420	40	0
Avg live weight (lbs)	0	0	0	700		

Predominant milk cow breed: Holstein

Average milk production: 1 *pounds per cow per day*

B. MANURE GENERATED

Total manure excreted by the herd: 4,115.28 *tons per reporting period*

Total nitrogen from manure: 41,902.00 *lbs per reporting period*

After ammonia losses (30% loss applied): 29,331.40 *lbs per reporting period*

Total phosphorus from manure: 6,889.74 *lbs per reporting period*

Total potassium from manure: 1.00 *lbs per reporting period*

Total salt from manure: 0.00 *lbs per reporting period*

C. PROCESS WASTEWATER GENERATED

Process wastewater generated: _____ *gallons*

Total nitrogen generated: _____ *lbs*

Total phosphorus generated: _____ *lbs*

Total potassium generated: _____ *lbs*

Total salt generated: _____ *lbs*

	0	*gallons applied*
+	0	*gallons exported*
-	0	*gallons imported*
=	0	*gallons generated*

D. FRESH WATER SOURCES

Source Description	Type
TID Lateral 2	Surface water

E. SUBSURFACE (TILE) DRAINAGE SOURCES

No subsurface (tile) drainage sources entered.

F. NUTRIENT IMPORTS

No dry manure nutrient imports entered.

No process wastewater nutrient imports entered.

Date	Material type / Description	Quantity	Reporting basis	Moisture (%)	N (%)	P (%)	K (%)	Salt (%)
08/09/2023	Solid commercial fertilizer *15-15-15*	5.17 *ton*	Dry-weight	0.1	15.000000	15.000000	15.000000	0.000000

Material type	Total N (lbs)	Total P (lbs)	Total K (lbs)	Total salt (lbs)
Commercial fertilizer / Other	1,549.45	1,549.45	1,549.45	0.00
Dry manure	0.00	0.00	0.00	0.00
Process wastewater	0.00	0.00	0.00	0.00
Total imports for all materials	1,549.45	1,549.45	1,549.45	0.00

G. NUTRIENT EXPORTS

Date	Material type	Quantity	Reporting basis	Moisture (%)	Density (lbs/cu ft)	N (mg/kg)	P (mg/kg)	K (mg/kg)	Salt (mg/kg)	TFS (%)
04/17/2023	Corral solids	720.00 *ton*	Dry-weight	34.8		21,800.00	4,930.00	6,690.00		57.30

No liquid nutrient exports entered.

Material type	Total N (lbs)	Total P (lbs)	Total K (lbs)	Total salt (lbs)
Dry manure	20,467.58	4,628.68	6,281.11	537,978.24
Process wastewater	0.00	0.00	0.00	0.00
Total exports for all materials	20,467.58	4,628.68	6,281.11	537,978.24

APPLICATION AREA

A. LIST OF LAND APPLICATION AREAS

Field name	Controlled acres	Cropable acres	Total harvests	Type of waste applied	Parcel number
Field 1	45	45	1	none	X041-X001-X027-XXXX
Totals for areas that were used for application					
Totals for areas that were not used for application	45	45	1		
Land application area totals	45	45	1		

B. CROPS AND HARVESTS

Field 1

Field name: Field 1

11/05/2022: Almond, in shell

Crop: Almond, in shell Acres planted: 45 Plant date: 11/05/2022

Harvest date	Yield	Reporting basis	Density (lbs/cu ft)	Moisture (%)	N (mg/kg)	P (mg/kg)	K (mg/kg)	Salt (mg/kg)	TFS (%)
12/31/2023	0.10 *ton*	As-is		0.1	0.00	0.00	0.00		0.00

	Yield (tons/acre)	Total N (lbs/acre)	Total P (lbs/acre)	Total K (lbs/acre)	Salt (lbs/acre)
Anticipated harvest content	0.10	0.10	0.01	0.01	0.00
Total actual harvest content	0.00	0.00	0.00	0.00	0.00

NUTRIENT BUDGET

A. LAND APPLICATIONS

Field 1 - 11/05/2022: Almond, in shell

Field name: Field 1

Crop: Almond, in shell

Plant date: 11/05/2022

Application date	Application method	Precipitation 24 hours prior	Precipitation during application	Precipitation 24 hours following
04/18/2023	Surface (irrigation)	No precipitation	No precipitation	No precipitation

Source description	Material type	N (lbs/acre)	P (lbs/acre)	K (lbs/acre)	Salt (lbs/acre)	Amount
15-15-15	Solid commercial fertilizer	7.50	7.50	7.50	0.00	
Application event totals		7.50	7.50	7.50	0.00	

Application date	Application method	Precipitation 24 hours prior	Precipitation during application	Precipitation 24 hours following
04/20/2023	Surface (irrigation)	No precipitation	No precipitation	No precipitation

Source description	Material type	N (lbs/acre)	P (lbs/acre)	K (lbs/acre)	Salt (lbs/acre)	Amount
TID Lateral 2	Surface water	0.00	0.00	0.00	13.56	4,061,250.00 *gal*
Application event totals		0.00	0.00	0.00	13.56	

Application date	Application method	Precipitation 24 hours prior	Precipitation during application	Precipitation 24 hours following
05/04/2023	Surface (irrigation)	No precipitation	No precipitation	No precipitation

Source description	Material type	N (lbs/acre)	P (lbs/acre)	K (lbs/acre)	Salt (lbs/acre)	Amount
TID Lateral 2	Surface water	0.00	0.00	0.00	13.56	4,061,250.00 *gal*
Application event totals		0.00	0.00	0.00	13.56	

Application date	Application method	Precipitation 24 hours prior	Precipitation during application	Precipitation 24 hours following
05/18/2023	Surface (irrigation)	No precipitation	No precipitation	No precipitation

Source description	Material type	N (lbs/acre)	P (lbs/acre)	K (lbs/acre)	Salt (lbs/acre)	Amount
TID Lateral 2	Surface water	0.00	0.00	0.00	13.56	4,061,250.00 *gal*
Application event totals		0.00	0.00	0.00	13.56	

Application date	Application method	Precipitation 24 hours prior	Precipitation during application	Precipitation 24 hours following
05/30/2023	Surface (irrigation)	No precipitation	No precipitation	No precipitation

Source description	Material type	N (lbs/acre)	P (lbs/acre)	K (lbs/acre)	Salt (lbs/acre)	Amount
15-15-15	Solid commercial fertilizer	9.00	9.00	9.00	0.00	
Application event totals		9.00	9.00	9.00	0.00	

Field 1 - 11/05/2022: Almond, in shell

Application date	Application method	Precipitation 24 hours prior	Precipitation during application	Precipitation 24 hours following
06/01/2023	Surface (irrigation)	No precipitation	No precipitation	No precipitation

Source description	Material type	N (lbs/acre)	P (lbs/acre)	K (lbs/acre)	Salt (lbs/acre)	Amount
TID Lateral 2	Surface water	0.00	0.00	0.00	13.56	4,061,250.00 *gal*
Application event totals		0.00	0.00	0.00	13.56	

Application date	Application method	Precipitation 24 hours prior	Precipitation during application	Precipitation 24 hours following
06/29/2023	Surface (irrigation)	No precipitation	No precipitation	No precipitation

Source description	Material type	N (lbs/acre)	P (lbs/acre)	K (lbs/acre)	Salt (lbs/acre)	Amount
TID Lateral 2	Surface water	0.00	0.00	0.00	13.89	4,162,500.00 *gal*
Application event totals		0.00	0.00	0.00	13.89	

Application date	Application method	Precipitation 24 hours prior	Precipitation during application	Precipitation 24 hours following
07/12/2023	Surface (irrigation)	No precipitation	No precipitation	No precipitation

Source description	Material type	N (lbs/acre)	P (lbs/acre)	K (lbs/acre)	Salt (lbs/acre)	Amount
15-15-15	Solid commercial fertilizer	9.00	9.00	9.00	0.00	
Application event totals		9.00	9.00	9.00	0.00	

Application date	Application method	Precipitation 24 hours prior	Precipitation during application	Precipitation 24 hours following
07/13/2023	Surface (irrigation)	No precipitation	No precipitation	No precipitation

Source description	Material type	N (lbs/acre)	P (lbs/acre)	K (lbs/acre)	Salt (lbs/acre)	Amount
TID Lateral 2	Surface water	0.00	0.00	0.00	13.89	4,162,500.00 *gal*
Application event totals		0.00	0.00	0.00	13.89	

Application date	Application method	Precipitation 24 hours prior	Precipitation during application	Precipitation 24 hours following
07/27/2023	Surface (irrigation)	No precipitation	No precipitation	No precipitation

Source description	Material type	N (lbs/acre)	P (lbs/acre)	K (lbs/acre)	Salt (lbs/acre)	Amount
TID Lateral 2	Surface water	0.00	0.00	0.00	13.89	4,162,500.00 *gal*
Application event totals		0.00	0.00	0.00	13.89	

Application date	Application method	Precipitation 24 hours prior	Precipitation during application	Precipitation 24 hours following
08/09/2023	Surface (irrigation)	No precipitation	No precipitation	No precipitation

Source description	Material type	N (lbs/acre)	P (lbs/acre)	K (lbs/acre)	Salt (lbs/acre)	Amount
15-15-15	Solid commercial fertilizer	9.00	9.00	9.00	0.00	
Application event totals		9.00	9.00	9.00	0.00	

Field 1 - 11/05/2022: Almond, in shell

Application date	Application method	Precipitation 24 hours prior	Precipitation during application	Precipitation 24 hours following
08/10/2023	Surface (irrigation)	No precipitation	No precipitation	No precipitation

Source description	Material type	N (lbs/acre)	P (lbs/acre)	K (lbs/acre)	Salt (lbs/acre)	Amount
TID Lateral 2	Surface water	0.00	0.00	0.00	13.89	4,162,500.00 *gal*
Application event totals		0.00	0.00	0.00	13.89	

Application date	Application method	Precipitation 24 hours prior	Precipitation during application	Precipitation 24 hours following
08/24/2023	Surface (irrigation)	No precipitation	No precipitation	No precipitation

Source description	Material type	N (lbs/acre)	P (lbs/acre)	K (lbs/acre)	Salt (lbs/acre)	Amount
TID Lateral 2	Surface water	0.00	0.00	0.00	13.89	4,162,500.00 *gal*
Application event totals		0.00	0.00	0.00	13.89	

Application date	Application method	Precipitation 24 hours prior	Precipitation during application	Precipitation 24 hours following
09/07/2023	Surface (irrigation)	No precipitation	No precipitation	No precipitation

Source description	Material type	N (lbs/acre)	P (lbs/acre)	K (lbs/acre)	Salt (lbs/acre)	Amount
TID Lateral 2	Surface water	0.00	0.00	0.00	13.89	4,162,500.00 *gal*
Application event totals		0.00	0.00	0.00	13.89	

Application date	Application method	Precipitation 24 hours prior	Precipitation during application	Precipitation 24 hours following
09/21/2023	Surface (irrigation)	No precipitation	No precipitation	No precipitation

Source description	Material type	N (lbs/acre)	P (lbs/acre)	K (lbs/acre)	Salt (lbs/acre)	Amount
TID Lateral 2	Surface water	0.00	0.00	0.00	13.89	4,162,500.00 *gal*
Application event totals		0.00	0.00	0.00	13.89	

Application date	Application method	Precipitation 24 hours prior	Precipitation during application	Precipitation 24 hours following
10/05/2023	Surface (irrigation)	No precipitation	No precipitation	No precipitation

Source description	Material type	N (lbs/acre)	P (lbs/acre)	K (lbs/acre)	Salt (lbs/acre)	Amount
TID Lateral 2	Surface water	0.00	0.00	0.00	13.89	4,162,500.00 *gal*
Application event totals		0.00	0.00	0.00	13.89	

B. NUTRIENT BUDGET

Field 1 - 11/05/2022: Almond, in shell

Field name: Field 1 Crop: Almond, in shell Plant date: 11/05/2022

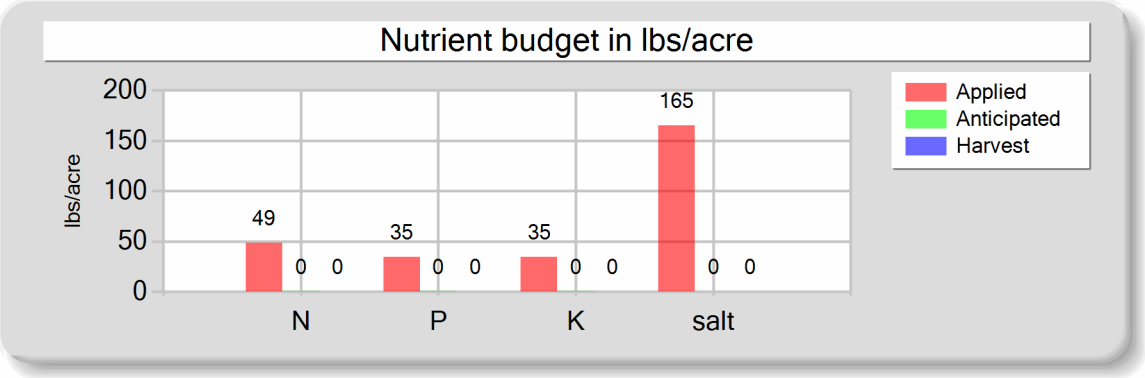

	Total N (lbs/acre)	Total P (lbs/acre)	Total K (lbs/acre)	Total salt (lbs/acre)
Existing soil nutrient content	0.00	0.00	0.00	0.00
Plowdown credit	0.00	0.00	0.00	0.00
Commercial fertilizer / Other	34.50	34.50	34.50	0.00
Dry manure	0.00	0.00	0.00	0.00
Process wastewater	0.00	0.00	0.00	0.00
Fresh water	0.00	0.00	0.00	165.38
Atmospheric deposition	14.00	0.00	0.00	0.00
Total nutrients applied	48.50	34.50	34.50	165.38
Anticipated crop nutrient removal	0.10	0.01	0.01	0.00
Actual crop nutrient removal	0.00	0.00	0.00	0.00
Nutrient balance	48.50	34.50	34.50	165.38
Applied to removed ratio	0.00	0.00	0.00	0.00

Fresh water applied	
49,545,000.00	*gallons*
1,824.57	*acre-inches*
40.55	*inches/acre*

Process wastewater applied	
0.00	*gallons*
0.00	*acre-inches*
0.00	*inches/acre*

Total harvests for the crop	
1	*harvests*

NUTRIENT ANALYSES

A. MANURE ANALYSES

Corral Solids

Sample and source description: Corral Solids
Sample date: 05/03/2023 Material type: Corral solids Source of analysis: Lab analysis Method of reporting: Dry-weight
Moisture: 34.8 %

	Total N (mg/kg)	Total P (mg/kg)	Total K (mg/kg)	Calcium (mg/kg)	Magnesium (mg/kg)	Sodium (mg/kg)	Sulfur (mg/kg)	Chloride (mg/kg)	Total salt (mg/kg)	TFS (%)
Value	21,800.00	4,930.00	6,690.00							57.30
DL	100.00	100.00	100.00							0.01

Corral Solids

Sample and source description: Corral Solids
Sample date: 10/23/2023 Material type: Corral solids Source of analysis: Lab analysis Method of reporting: Dry-weight
Moisture: 8.7 %

	Total N (mg/kg)	Total P (mg/kg)	Total K (mg/kg)	Calcium (mg/kg)	Magnesium (mg/kg)	Sodium (mg/kg)	Sulfur (mg/kg)	Chloride (mg/kg)	Total salt (mg/kg)	TFS (%)
Value	6,500.00	3,370.00	30,100.00							71.10
DL	100.00	100.00	100.00							0.01

B. PROCESS WASTEWATER ANALYSES

WWQ1

Sample and source description: WWQ1
Sample date: 03/22/2023 Material type: Process wastewater Source of analysis: Lab analysis pH: 0.00

	Kjeldahl-N (mg/L)	NH4-N (mg/L)	NH3-N (mg/L)	Nitrate-N (mg/L)	Total P (mg/L)	Total K (mg/L)	Calcium (mg/L)	Magnes. (mg/L)	Sodium (mg/L)	Bicarb. (mg/L)	Carb. (mg/L)	Sulfate (mg/L)	Chloride (mg/L)	EC (µmhos/cm)	TDS (mg/L)
Value	557.00	123.00	0.00	0.00	79.20	874.00								4,400.00	3,920
DL	0.50	0.50	0.50	0.50	0.50	0.50								1.00	10

WWQ2

Sample and source description: WWQ2

Sample date: 06/07/2023 Material type: Process wastewater Source of analysis: Lab analysis pH: 0.00

	Kjeldahl-N (mg/L)	NH4-N (mg/L)	NH3-N (mg/L)	Nitrate-N (mg/L)	Total P (mg/L)	Total K (mg/L)	Calcium (mg/L)	Magnes. (mg/L)	Sodium (mg/L)	Bicarb. (mg/L)	Carb. (mg/L)	Sulfate (mg/L)	Chloride (mg/L)	EC (µmhos/cm)	TDS (mg/L)
Value	14.00	5.60	0.00	0.00	3.02	30.60								1,830.00	2,600
DL	0.50	0.50	0.50	0.50	0.50	0.50								1.00	10

WWQ3

Sample and source description: WWQ3

Sample date: 08/11/2023 Material type: Process wastewater Source of analysis: Lab analysis pH: 0.00

	Kjeldahl-N (mg/L)	NH4-N (mg/L)	NH3-N (mg/L)	Nitrate-N (mg/L)	Total P (mg/L)	Total K (mg/L)	Calcium (mg/L)	Magnes. (mg/L)	Sodium (mg/L)	Bicarb. (mg/L)	Carb. (mg/L)	Sulfate (mg/L)	Chloride (mg/L)	EC (µmhos/cm)	TDS (mg/L)
Value	344.00	129.00	0.00	0.00	2.00	53.00								7,240.00	5,860
DL	0.50	0.50	0.50	0.50	0.50	0.50								1.00	10

WWQ4

Sample and source description: WWQ4

Sample date: 10/31/2023 Material type: Process wastewater Source of analysis: Lab analysis pH: 0.00

	Kjeldahl-N (mg/L)	NH4-N (mg/L)	NH3-N (mg/L)	Nitrate-N (mg/L)	Total P (mg/L)	Total K (mg/L)	Calcium (mg/L)	Magnes. (mg/L)	Sodium (mg/L)	Bicarb. (mg/L)	Carb. (mg/L)	Sulfate (mg/L)	Chloride (mg/L)	EC (µmhos/cm)	TDS (mg/L)
Value	356.00	174.00	0.00	0.00	63.80	1,300.00								7,280.00	8,120
DL	0.50	0.50	0.50	0.50	0.50	0.50								1.00	10

C. FRESH WATER ANALYSES

TID Lateral 2

TID Lateral 2

TID Lateral 2

Sample description: TID Lateral 2

Sample date: 07/25/2023 Source of analysis: Lab analysis

	Total N (mg/L)	NH4-N (mg/L)	Nitrate-N (mg/L)	Calcium (mg/L)	Magnesium (mg/L)	Sodium (mg/L)	Bicarbonate (mg/L)	Carbonate (mg/L)	Sulfate (mg/L)	Chloride (mg/L)	EC (µmhos/cm)	TDS (mg/L)
Value	0.00	0.00	0.00								30.30	18
DL	1.00	0.50	0.50								10.00	10

D. SOIL ANALYSES

No soil analyses entered.

E. PLANT TISSUE ANALYSES

No plant tissue analyses entered.

F. SUBSURFACE (TILE) DRAINAGE ANALYSES

No subsurface (tile) drainage analyses entered.

NUTRIENT APPLICATIONS, POTENTIAL REMOVAL, AND BALANCE

A. SUMMARY OF NUTRIENT APPLICATIONS, POTENTIAL REMOVAL, AND BALANCE

	Total N (lbs)	Total P (lbs)	Total K (lbs)	Total salt (lbs)
Existing soil nutrient content	0.00	0.00	0.00	0.00
Plowdown credit	0.00	0.00	0.00	0.00
Commercial fertilizer / Other	1,552.50	1,552.50	1,552.50	0.00
Dry manure	0.00	0.00	0.00	0.00
Process wastewater	0.00	0.00	0.00	0.00
Fresh water	0.00	0.00	0.00	7,442.15
Atmospheric deposition	630.00	0.00	0.00	0.00
Total nutrients applied	2,182.50	1,552.50	1,552.50	7,442.15
Anticipated crop nutrient removal	4.50	0.45	0.45	0.00
Actual crop nutrient removal	0.00	0.00	0.00	0.00
Nutrient balance	2,182.50	1,552.50	1,552.50	7,442.15
Applied to removed ratio	0.00	0.00	0.00	0.00

B. POUNDS OF NUTRIENT APPLIED VS. CROP REMOVAL

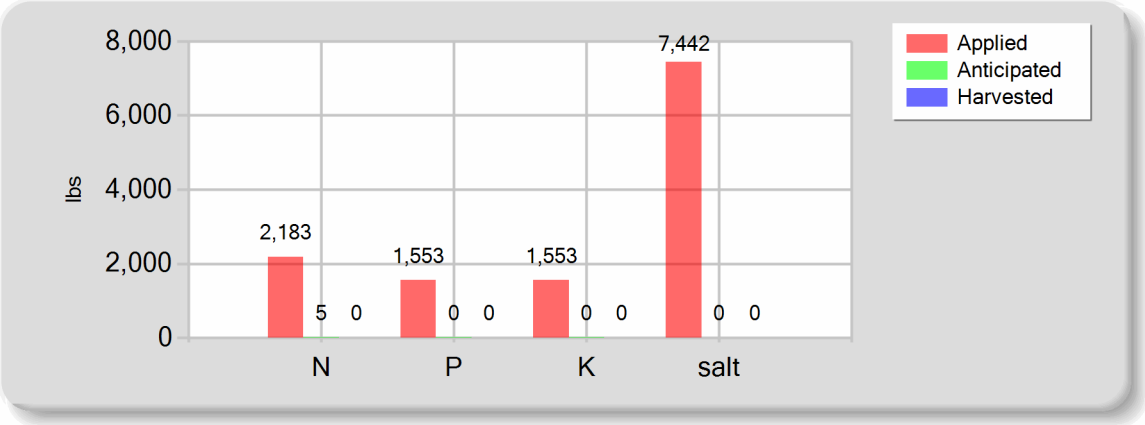

C. POUNDS OF NUTRIENT APPLIED BY MATERIAL TYPE

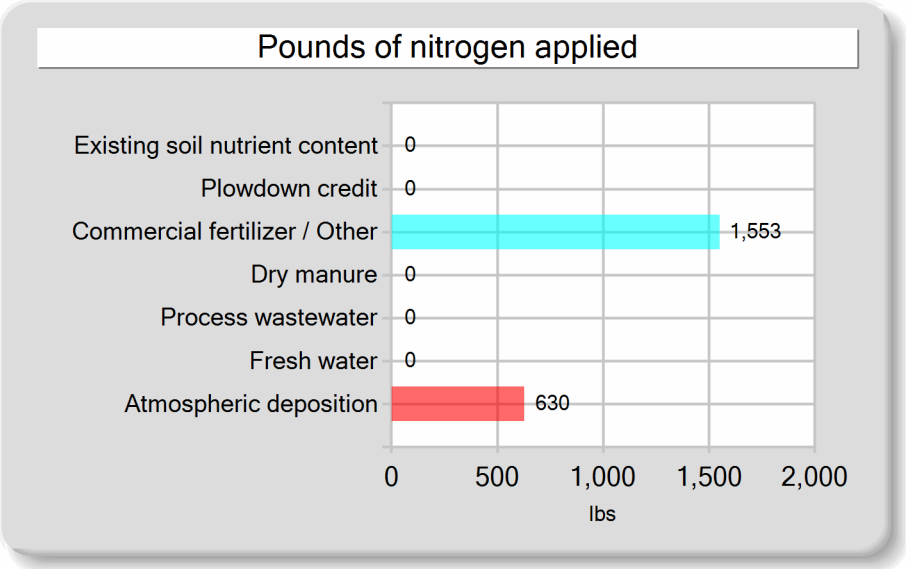

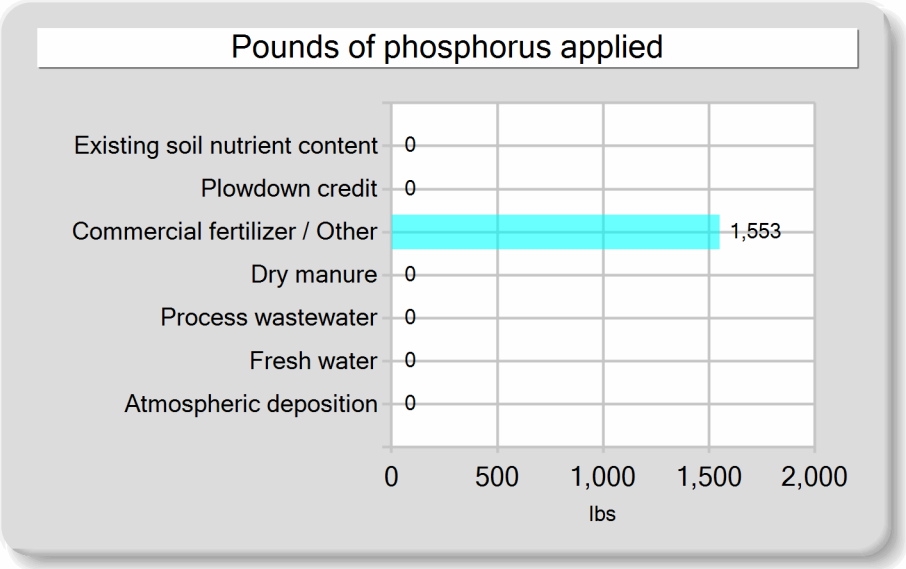

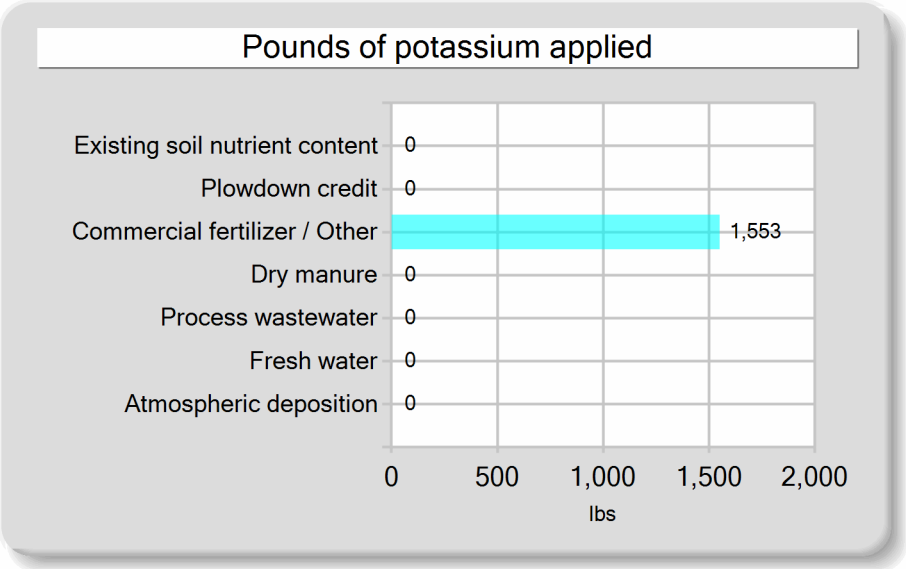

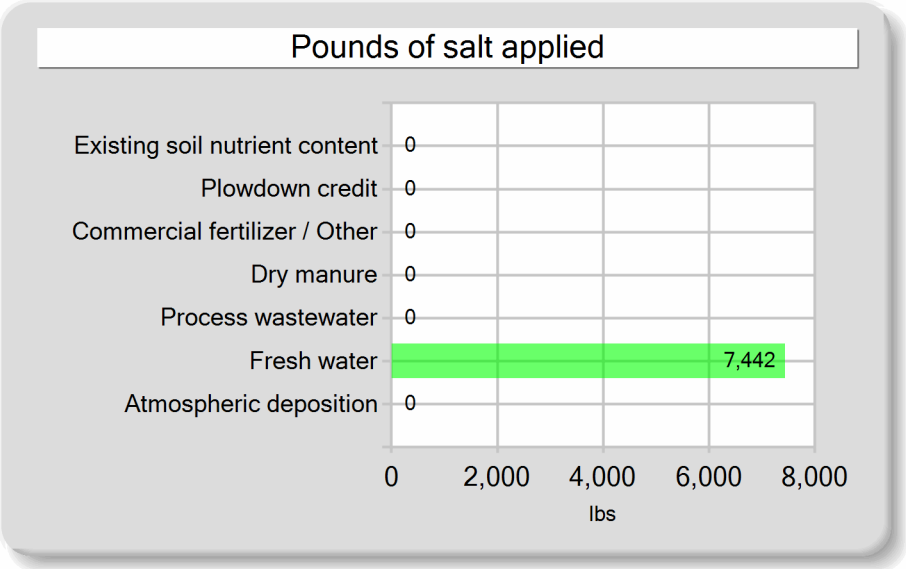

EXCEPTION REPORTING

A. MANURE, PROCESS WASTEWATER, AND OTHER DAIRY WASTE DISCHARGES

The following is a summary of all manure and process wastewater discharges from the production area to surface water or to land areas (land application areas or otherwise) when not in accordance with the facility's Nutrient Management Plan.

No manure or process wastewater discharges occurred during the reporting period.

B. STORM WATER DISCHARGES

The following is a summary of all storm water discharges from the production area to surface water during the reporting period when not in accordance with the facility 's Nutrient Management Plan.

No stormwater discharges occurred during the reporting period.

C. LAND APPLICATION AREA TO SURFACE WATER DISCHARGES

The following is a summary of all discharges from the land application area to surface water that have occurred during the reporting period when not in accordance with the facility's Nutrient Management Plan.

No land application area to surface water discharges occurred during the reporting period.

NUTRIENT MANAGEMENT PLAN AND EXPORT AGREEMENT STATEMENTS

A. NUTRIENT MANAGEMENT PLAN STATEMENTS

Was the facility's NMP updated in the reporting period?	Yes
Was the facility's NMP developed by a certified nutrient management planner (specialist) as specified in Attachment C of the General Order?	Yes
Was the facility's NMP approved by a certified nutrient management planner (specialist) as specified in Attachment C of the General Order?	Yes

B. EXPORT AGREEMENT STATEMENT

Are there any written agreements with third parties to receive manure or process wastewater that are new or were revised within the reporting period?	No

ADDITIONAL NOTES

A. NOTES

No notes entered for this annual report.

CERTIFICATION

A. OWNER AND/OR OPERATOR CERTIFICATION

I certify under penalty of law that I have personally examined and am familiar with the information submitted in this document and all attachments and that, based on my inquiry of those individuals immediately responsible for obtaining the information, I believe that the information is true, accurate, and complete. I am aware that there are significant penalties for submitting false information, including the possibility of fine and imprisonment.

Frank borba (May 14, 2024 11:13 PDT)

SIGNATURE OF OWNER OF FACILITY	SIGNATURE OF OPERATOR OF FACILITY
Frank A Borba	SAME AS OWNER
PRINT OR TYPE NAME	PRINT OR TYPE NAME
May 14, 2024	
DATE	DATE

ATTACHMENTS

A. REQUIRED ATTACHMENTS

The following lists the required documents that should be attached to the Annual Report when submitted .

Annual Dairy Facility Assessment
Provide an Annual Dairy Facility Assessment (an update to the Preliminary Dairy Facility Assessment in Attachment A) for each reporting period. On the PDFA Final page, click on the ADFA Report button to generate an ADFA report after updating information as needed .

Manure/Process Wastewater Tracking Manifests
Provide copies of all manure/process wastewater tracking manifests for the reporting period, signed by both the owner/operator and the hauler.

Corrective Actions Documents
Provide records documenting any corrective actions taken to correct deficiencies noted as a result of the inspections required in the Monitoring Requirements of the General Order. Deficiencies not corrected in 30 days must be accompanied by an explanation of the factors preventing immediate correction.

Groundwater Monitoring
Dischargers that monitor supply wells or subsurface (tile) drainage systems, or that have monitoring well systems must submit monitoring results as directed in the General Order, Groundwater Reporting Section starting on page MRP-13.

Storm Water Monitoring
Dischargers that are required to monitor storm water more frequently than required in the General Order must submit monitoring results as directed in the General Order, Storm Water Reporting Section on page MRP-14.

ATTACHMENT D

Manure/Process Wastewater Tracking Manifest
For
Existing Milk Cow Dairies

Instructions:

1) Complete one manifest for each hauling event, for each destination. A hauling event may last for several days, as long as the manure is being hauled to the same destination.
2) If there are multiple destinations, **complete a separate form for each destination**.
3) The operator must obtain the signature of the hauler upon completion of each manure-hauling event.
4) The operator shall submit copies of manure/process wastewater tracking manifest(s) with the Annual Monitoring Report for Existing Milk Cow Dairies.

Operator Information:

Name of Operator: Frank Borba

Name of Dairy Facility: Borba & Sons

Facility Address: 2248 W. Service Road, (Number and Street) Modesto, CA (City) 95358 (Zip Code)

Contact Person Name and Phone Number: Frank Borba (Name) 209-531-0202 (Phone Number)

Manure/Process Wastewater Hauler Information:

Name of Hauling Company/Person: J & F Fertilizer

Address of Hauling Company /Person: 1275 North Ave., (Number and Street) Gustine, CA 95322 (City, Zip Code)

Contact Person: John Nunes (Name) 209-495-1964 (Phone Number)

Destination Information:

Composting Facility / Broker / Farmer / Other (identify) _____ (please circle one)

Contact information of Composting Facility, Broker, Farmer, or Other (as identified above):

MB Lucky Lady (Name) 2323 W. Keyes Road, (Number and Street) Modesto, CA (City) 95358 (Zip Code) 209-531-0202 (Phone Number)

Manure/Process Wastewater Destination Address or Assessor's Parcel Number:

2323 W. Hatch Road, (Number and Street) Modesto, CA (City) 95358 (Zip Code) 017-041-015 (Assessor's Parcel Number)

Dates Hauled: 4/17/2023

Amount Hauled:

Enter the amount of manure hauled in tons or cubic yards (indicate the units used), the manure solids content (if amount reported in tons) or manure density (if amount reported in cubic yards), and the method used to calculate the amount:

Manure: 720 Tons or Cubic Yards (indicate which units used)

Manure Solids Content (if amount reported in tons): 34.8% moisture

Manure Density (if amount reported in cubic yards): _____

Method used to determine amount of manure: _____

72 loads at 10 ton per load

Enter the amount of process wastewater hauled in gallons and the method used to determine the amount.

Process Wastewater: _____ Gallons

Method used to determine volume of process wastewater: _____

_____

Written Agreement:
Does the Operator have a written agreement (in compliance with Land Application Specification C.2 of Waste Discharge Requirements General Order No. R5-2007-0035) with any party that receives process wastewater from the Operator for its own use? (please check one)

____ Yes _____ No

If the answer is no, the Operator agrees to have such a written agreement with any such party for any process wastewater transferred after **31 December 2007** to such party.
_____ (Operator shall provide initials here to acknowledge this requirement).

Certification:
I declare under the penalty of law that I personally examined and am familiar with the information submitted in this document, and that based on my inquiry of those individuals immediately responsible for obtaining the information, I believe that the information is true, accurate, and complete. I am aware that there are significant penalties for submitting false information, including the possibility of a fine and imprisonment for knowing violations.

Operator's Signature: FB Frank borba (May 14, 2024 11:13 PDT) Date: May 14, 2024

Hauler's Signature: John Nunes Date: 4/17/2023

DENELE ANALYTICAL, INC.
865 S. KILROY ROAD
TURLOCK, CA 95380
PH# 209-634-9055 FAX# 209-634-9057

DAIRY COMPLIANCE

Client: MB LUCKY LADY
Mailing address:
(not facility address) MODESTO CA
Phone#:

Authorized Copy Released To: F&R AG SERVICES
Sampled By: Sean Locke
Project ID: BORBA + SONS

ANALYSIS TO BE COMPLETED:

IRRIGATION/GROUND WATER
- H1 EC*, NO3-N, NH4-N*
- H6 EC, TN, TDS
- H7 Combination of H1 & H6
- H14 EC, NO3-N, NH4-N, Ca, Mg, Na, Bicarb Carb, SO4, Cl, TDS

PROCESS WASTE WATER
- H3 EC*, NH4-N, TKN, TP, K, TDS
- H4 EC*, NO3-N, NH4-N, TKN, TP, K, TDS
- H5 Ca, Mg, Na, Bicarb, Carb, SO4, Cl
- H8 Combination of H3 &H5
- H9 Combination of H4 &H5

TILE DRAIN
- H2 EC*, NO3-N, TP, NH4-N*, TDS

** Required Field Measurement*

___ (Check here if performed)

DISCHARGE WATER
- E1 EC*, Temp*, pH*, NO3-N, NH3-N, NH4-N, TKN, TP, K, TDS, Dissolved Oxygen*, BOD 5, TSS, Total & Fecal Coliforms
- E2 EC,* Temp*, pH*, NO3-N, NH3-N*, NH4-N*, Turbidity, TP, Dissolved Oxygen*, Total & Fecal Coliforms
- E3 EC*, Temp*, pH*, NO3-N, NH3-N*, NH4-N*, TP, Total & Fecal Coliforms
- E4 EC*, Temp*, pH*, NO3-N, NH3-N*, NH4-N*, Turbidity, TP, Total & Fecal Coliform

MANURE
- M1 % Moisture
- M3 TN TP, K, % Moisture
- M4 Ca, Mg, Na, Bicarb, Carb, SO4, Cl, Ash
- M7 Combination of M3 & M4

PLANT TISSUE
- F18 % Moisture, Ash, TN, P, K, DM and as received
- F18+ % Moisture, Ash, TN, P, K, DM and as received (Package also includes NIR DCAD)
- F19+ % Moisture, TN (Package includes complete plant tissue analysis)

SOIL
- K3 Soluble Phosphorus
- K4 1ft NO3, Organic Matter
- K5 Pre-Plant (2ft NO3), Fall (1-2ft NO3), Fall (2-3ft NO3)
- K6 0-1ft EC, NO3, Soluble P, K, Organic Matter
- K7 Combination of K3 & K4
- K8 Combination of K3 & K5

	Date Collected	Time Collected	Sample ID	Description	Temp	Well Purge	Analysis: H1	H3	M3	F18	OTHER
1	8/25/23	12:30	DW- SHOP	DOMESTIC	22.0°		X				
2	"	12:35	DW- MILK BARN	"	22.2°		X				
3											
4											
5											
6											
7											
8											
9											
10											

CHAIN OF CUSTODY RECORDING

	Signature	Company	Received Date & Time	Relinquished Date & Time	(LABORATORY USE ONLY) Logged in By:	LABORATORY NUMBER
		F&R AG SERVICES				
2nd		DENELE ANALYTICAL, INC.	8-25-23 2:10			T3237033

Required to be submitted to any agency? (YES / NO)

Denele Analytical, Inc.

865 South Kilroy Avenue Turlock, CA 95380
Phone (209) 634-9055 - Fax (209) 634-9057

www.denelelabs.com

40 N. East Street, Woodland, CA 95776
Phone (530) 666-9056 - Fax (530) 666-9058

Compliance Analysis Report

Customer
MB Lucky Lady
2323 W. Keyes Rd.
Modesto, CA 95358

Grower

Consultant:
F & R Ag Services
2857 Geer Rd. Ste A
Turlock, CA 95382

PURCHASE ORDER: Borba & Sons
RECEIVED DATE: 8/25/23 2:10 PM
SUBMITTED BY: Sean
ANALYZED DATE: 8/28/23

Irrigation/ Ground Water (H1)
SOURCE: Well Water

NOTES: Temperature was above qualifying at 22.0c

Sample ID	Lab ID	Analyte	Method Ref	Result	Units
DW-Shop	T3237033A	Electrical Conductivity (EC)	EPA 120.1 and	0.873	mmhos/cm
		Nitrate Nitrogen (NO3-N)	EPA 353.2	25.3	mg/L
		Ammonia Nitrogen (NH3-N)	SM 4500-NH3 D,C	< 0.500	mg/L
		Soluble Salts (SALT-SOL)	Calculation	558	mg/L

Laboratory Quality Control	LCS %	MS %	MSD %	RPD %
Ammonia Nitrogen (NH3-N)	98.6	98.2 (T3237014A)	95.8 (T3237014A)	2.47
Electrical Conductivity (EC)	96.3			3.35
Nitrate Nitrogen (NO3-N)	103	97.0 (T3237014A)	97.1 (T3237014A)	0.083

The warranty of Denele Analytical is limited to the accuracy of the analyses of the samples as received. Denele Analytical assumes no responsibility for which the customer uses our test results, nor liability for any other warranties, express or implied. These terms and conditions shall supercede any conflicting terms and conditions submitted on customer purchase orders or other forms submitted for work.

ELAP Certificate No.: 2714

Denele Analytical, Inc.

865 South Kilroy Avenue Turlock, CA 95380
Phone (209) 634-9055 - Fax (209) 634-9057

www.denelelabs.com

40 N. East Street, Woodland, CA 95776
Phone (530) 666-9056 - Fax (530) 666-9058

Compliance Analysis Report

Customer
MB Lucky Lady
2323 W. Keyes Rd.
Modesto, CA 95358

Grower

Consultant:
F & R Ag Services
2857 Geer Rd. Ste A
Turlock, CA 95382

PURCHASE ORDER: Borba & Sons
RECEIVED DATE: 8/25/23 2:10 PM
SUBMITTED BY: Sean
ANALYZED DATE: 8/28/23

Irrigation/ Ground Water (H1)
SOURCE: Well Water

NOTES: Temperature was above qualifying at 22.2c

Sample ID	Lab ID	Analyte	Method Ref	Result	Units
DW-Milk Barn	T3237033B	Electrical Conductivity (EC)	EPA 120.1 and	0.876	mmhos/cm
		Nitrate Nitrogen (NO3-N)	EPA 353.2	24.9	mg/L
		Ammonia Nitrogen (NH3-N)	SM 4500-NH3 D,C	< 0.500	mg/L
		Soluble Salts (SALT-SOL)	Calculation	561	mg/L

Laboratory Quality Control	LCS %	MS %	MSD %	RPD %
Ammonia Nitrogen (NH3-N)	98.6	98.2 (T3237014A)	95.8 (T3237014A)	2.47
Electrical Conductivity (EC)	96.3			3.35
Nitrate Nitrogen (NO3-N)	103	97.0 (T3237014A)	97.1 (T3237014A)	0.083

The warranty of Denele Analytical is limited to the accuracy of the analyses of the samples as received. Denele Analytical assumes no responsibility for which the customer uses our test results, nor liability for any other warranties, express or implied. These terms and conditions shall supercede any conflicting terms and conditions submitted on customer purchase orders or other forms submitted for work.

ELAP Certificate No.: 2714

2023 Annual Report Borba & Sons Dairy

Final Audit Report 2024-05-14

Created:	2024-05-14
By:	Vince Furtado (vfurtado@fragservices.com)
Status:	Signed
Transaction ID:	CBJCHBCAABAA2677yUFr4RpMEzy00Z3h_0I_DvIrfhAd

"2023 Annual Report Borba & Sons Dairy" History

Document created by Vince Furtado (vfurtado@fragservices.com)
2024-05-14 - 5:02:16 PM GMT

Document emailed to mbluckylady@gmail.com for signature
2024-05-14 - 5:04:27 PM GMT

Email viewed by mbluckylady@gmail.com
2024-05-14 - 6:04:33 PM GMT

Signer mbluckylady@gmail.com entered name at signing as Frank borba
2024-05-14 - 6:13:17 PM GMT

Document e-signed by Frank borba (mbluckylady@gmail.com)
Signature Date: 2024-05-14 - 6:13:19 PM GMT - Time Source: server

Agreement completed.
2024-05-14 - 6:13:19 PM GMT