Annual Report - General Order No. R5-2007-0035
Reporting period 01/01/2023 to 12/31/2023.

DAIRY FACILITY INFORMATION

A. NAME OF DAIRY OR BUSINESS OPERATING THE DAIRY: Edelweiss Dairy

Physical address of dairy:

Number and Street	City	County	Zip Code
2306 W Fulkerth RD	Crows Landing	Stanislaus	95313

Street and nearest cross street (if no address):

Date facility was originally placed in operation: 01/01/1940

Regional Water Quality Control Board Basin Plan designation: San Joaquin River Basin

County Assessor Parcel Number(s) for dairy facility:

X022-X004-X007-XXXX

B. OPERATORS

Dellis, Rita

Operator name: Dellis, Rita

Telephone no.: (209) 537-9883 (Landline) (Cellular)

Mailing Address Number and Street	City	State	Zip Code
2306 W Fulkerth RD	Crows Landing	CA	95313

This operator is responsible for paying permit fees.

C. OWNERS

Dellis, Rita

Legal owner name: Dellis, Rita

Telephone no.: (209) 537-9883 (Landline) (Cellular)

Mailing Address Number and Street	City	State	Zip Code
2306 W Fulkerth RD	Crows Landing	CA	95313

This owner is responsible for paying permit fees.

Annual Report - General Order No. R5-2007-0035
Reporting period 01/01/2023 to 12/31/2023.

AVAILABLE NUTRIENTS

A. HERD INFORMATION

	Milk Cows	Dry Cows	Bred Heifers (15-24 mo.)	Heifers (7-14 mo. to breeding)	Calves (4-6 mo.)	Calves (0-3 mo.)
Number open confinement	0	140	300	650	240	0
Number under roof	1,050	0	0	0	0	0
Maximum number	1,050	140	300	650	240	0
Average number	1,050	140	300	650	240	0
Avg live weight (lbs)	1,400	1,450	900	600		

Predominant milk cow breed: Holstein

Average milk production: 70 *pounds per cow per day*

B. MANURE GENERATED

Total manure excreted by the herd: 38,789.98 *tons per reporting period*

Total nitrogen from manure: 480,118.10 *lbs per reporting period*

After ammonia losses (30% loss applied): 336,082.67 *lbs per reporting period*

Total phosphorus from manure: 79,113.57 *lbs per reporting period*

Total potassium from manure: 201,084.69 *lbs per reporting period*

Total salt from manure: 526,585.50 *lbs per reporting period*

C. PROCESS WASTEWATER GENERATED

Process wastewater generated: 44,100,000 *gallons*

Total nitrogen generated: 146,244.93 *lbs*

Total phosphorus generated: 20,109.99 *lbs*

Total potassium generated: 275,466.39 *lbs*

Total salt generated: 2,638,047.10 *lbs*

	37,548,000	*gallons applied*
+	6,552,000	*gallons exported*
-	0	*gallons imported*
=	44,100,000	*gallons generated*

D. FRESH WATER SOURCES

Source Description	Type
Canal	Surface water
Irrigation Well	Ground water

E. SUBSURFACE (TILE) DRAINAGE SOURCES

No subsurface (tile) drainage sources entered.

F. NUTRIENT IMPORTS

No dry manure nutrient imports entered.

No process wastewater nutrient imports entered.

No commercial or other nutrient imports entered.

G. NUTRIENT EXPORTS

No solid nutrient exports entered.

Date	Material type	Quantity	Kjeldahl-N (mg/L)	Ammonium-N (mg/L)	Ammonia-N (mg/L)	Nitrate-N (mg/L)	P (mg/L)	K (mg/L)	EC (µmhos/cm)	TDS (mg/L)
01/31/2023	Process wastewater	2,688,000.00 *gal*	655.00	258.00	0.00	0.00	80.70	653.00		4,080
03/31/2023	Process wastewater	1,554,000.00 *gal*	655.00	258.00	0.00	0.00	80.70	653.00		4,080
10/18/2023	Process wastewater	1,302,000.00 *gal*	703.00	476.00	0.00	0.00	59.60	1,020.00		9,500
12/08/2023	Process wastewater	1,008,000.00 *gal*	703.00	476.00	0.00	0.00	59.60	1,020.00		9,500

Material type	Total N (lbs)	Total P (lbs)	Total K (lbs)	Total salt (lbs)
Dry manure	0.00	0.00	0.00	0.00
Process wastewater	36,738.36	4,005.65	42,778.36	327,560.94
Total exports for all materials	36,738.36	4,005.65	42,778.36	327,560.94

APPLICATION AREA

A. LIST OF LAND APPLICATION AREAS

Field name	Controlled acres	Cropable acres	Total harvests	Type of waste applied	Parcel number
ED	158	158	2	both	X022-X004-X006-XXXX X022-X004-X007-XXXX
ESPINDULA	34	34	2	both	X022-X004-X011-XXXX
JENSEN	75	75	2	both	X022-X004-X008-XXXX X022-X004-X009-XXXX
Totals for areas that were used for application	267	267	6		
Totals for areas that were not used for application					
Land application area totals	267	267	6		

B. CROPS AND HARVESTS

ED

Field name: ED

10/15/2022: Oats, silage-soft dough

Crop: Oats, silage-soft dough Acres planted: 158 Plant date: 10/15/2022

Harvest date	Yield	Reporting basis	Density (lbs/cu ft)	Moisture (%)	N (mg/kg)	P (mg/kg)	K (mg/kg)	Salt (mg/kg)	TFS (%)
05/11/2023	2,749.20 *ton*	As-is		77.6	5,900.00	1,200.00	15,700.00		14.60

	Yield (tons/acre)	Total N (lbs/acre)	Total P (lbs/acre)	Total K (lbs/acre)	Salt (lbs/acre)
Anticipated harvest content	16.00	160.00	25.60	132.80	0.00
Total actual harvest content	17.40	205.32	41.76	546.36	1,138.10

ED

06/16/2023: Corn, silage

Crop: Corn, silage Acres planted: 158 Plant date: 06/16/2023

Harvest date	Yield	Reporting basis	Density (lbs/cu ft)	Moisture (%)	N (mg/kg)	P (mg/kg)	K (mg/kg)	Salt (mg/kg)	TFS (%)
10/05/2023	4,439.80 *ton*	As-is		67.2	4,000.00	600.00	4,000.00		13.40

	Yield (tons/acre)	Total N (lbs/acre)	Total P (lbs/acre)	Total K (lbs/acre)	Salt (lbs/acre)
Anticipated harvest content	30.00	240.00	45.00	198.00	0.00
Total actual harvest content	28.10	224.80	33.72	224.80	2,470.10

ESPINDULA

Field name: ESPINDULA

10/16/2022: Oats, silage-soft dough

Crop: Oats, silage-soft dough Acres planted: 34 Plant date: 10/16/2022

Harvest date	Yield	Reporting basis	Density (lbs/cu ft)	Moisture (%)	N (mg/kg)	P (mg/kg)	K (mg/kg)	Salt (mg/kg)	TFS (%)
05/12/2023	574.60 *ton*	As-is		78.6	5,600.00	1,100.00	15,300.00		14.40

	Yield (tons/acre)	Total N (lbs/acre)	Total P (lbs/acre)	Total K (lbs/acre)	Salt (lbs/acre)
Anticipated harvest content	16.00	160.00	25.60	132.80	0.00
Total actual harvest content	16.90	189.28	37.18	517.14	1,041.58

06/17/2023: Corn, silage

Crop: Corn, silage Acres planted: 34 Plant date: 06/17/2023

Harvest date	Yield	Reporting basis	Density (lbs/cu ft)	Moisture (%)	N (mg/kg)	P (mg/kg)	K (mg/kg)	Salt (mg/kg)	TFS (%)
10/06/2023	941.80 *ton*	As-is		69.0	3,900.00	500.00	4,400.00		8.10

	Yield (tons/acre)	Total N (lbs/acre)	Total P (lbs/acre)	Total K (lbs/acre)	Salt (lbs/acre)
Anticipated harvest content	30.00	240.00	45.00	198.00	0.00
Total actual harvest content	27.70	216.06	27.70	243.76	1,391.09

JENSEN

Field name: JENSEN

10/16/2022: Oats, silage-soft dough

Crop: Oats, silage-soft dough Acres planted: 75 Plant date: 10/16/2022

Harvest date	Yield	Reporting basis	Density (lbs/cu ft)	Moisture (%)	N (mg/kg)	P (mg/kg)	K (mg/kg)	Salt (mg/kg)	TFS (%)
05/12/2023	1,320.00 *ton*	As-is		63.6	5,800.00	900.00	10,500.00		10.90

	Yield (tons/acre)	Total N (lbs/acre)	Total P (lbs/acre)	Total K (lbs/acre)	Salt (lbs/acre)
Anticipated harvest content	16.00	160.00	25.60	132.80	0.00
Total actual harvest content	17.60	204.16	31.68	369.60	1,396.60

06/17/2023: Corn, silage

Crop: Corn, silage Acres planted: 75 Plant date: 06/17/2023

Harvest date	Yield	Reporting basis	Density (lbs/cu ft)	Moisture (%)	N (mg/kg)	P (mg/kg)	K (mg/kg)	Salt (mg/kg)	TFS (%)
10/06/2023	2,032.50 *ton*	As-is		66.2	4,100.00	600.00	4,300.00		8.30

	Yield (tons/acre)	Total N (lbs/acre)	Total P (lbs/acre)	Total K (lbs/acre)	Salt (lbs/acre)
Anticipated harvest content	30.00	240.00	45.00	198.00	0.00
Total actual harvest content	27.10	222.22	32.52	233.06	1,520.53

NUTRIENT BUDGET

A. LAND APPLICATIONS

ED - 10/15/2022: Oats, silage-soft dough

Field name: ED

Crop: Oats, silage-soft dough

Plant date: 10/15/2022

Application date	Application method	Precipitation 24 hours prior	Precipitation during application	Precipitation 24 hours following
09/23/2022	Broadcast/incorporate	No precipitation	No precipitation	No precipitation

Source description	Material type	N (lbs/acre)	P (lbs/acre)	K (lbs/acre)	Salt (lbs/acre)	Amount
Solid Manure	Separator solids	90.62	20.68	34.59	1,342.32	1,580.00 *ton*
Application event totals		90.62	20.68	34.59	1,342.32	

Application date	Application method	Precipitation 24 hours prior	Precipitation during application	Precipitation 24 hours following
10/03/2022	Surface (irrigation)	No precipitation	No precipitation	No precipitation

Source description	Material type	N (lbs/acre)	P (lbs/acre)	K (lbs/acre)	Salt (lbs/acre)	Amount
WWS	Process wastewater	30.33	11.65	143.43	987.58	2,226,000.00 *gal*
Canal	Surface water	0.00	0.00	0.00	36.80	26,796,010.00 *gal*
Application event totals		30.33	11.65	143.43	1,024.38	

Application date	Application method	Precipitation 24 hours prior	Precipitation during application	Precipitation 24 hours following
12/26/2022	Surface (irrigation)	No precipitation	No precipitation	No precipitation

Source description	Material type	N (lbs/acre)	P (lbs/acre)	K (lbs/acre)	Salt (lbs/acre)	Amount
WWS	Process wastewater	25.18	9.67	119.08	819.88	1,848,000.00 *gal*
Application event totals		25.18	9.67	119.08	819.88	

Application date	Application method	Precipitation 24 hours prior	Precipitation during application	Precipitation 24 hours following
02/03/2023	Surface (irrigation)	No precipitation	No precipitation	No precipitation

Source description	Material type	N (lbs/acre)	P (lbs/acre)	K (lbs/acre)	Salt (lbs/acre)	Amount
WWS	Process wastewater	38.50	4.74	38.39	239.84	1,113,000.00 *gal*
Application event totals		38.50	4.74	38.39	239.84	

Application date	Application method	Precipitation 24 hours prior	Precipitation during application	Precipitation 24 hours following
04/15/2023	Surface (irrigation)	No precipitation	No precipitation	No precipitation

Source description	Material type	N (lbs/acre)	P (lbs/acre)	K (lbs/acre)	Salt (lbs/acre)	Amount
WWS	Process wastewater	24.01	3.05	50.36	556.35	1,386,000.00 *gal*
Canal	Surface water	0.00	0.00	0.00	26.94	19,617,122.00 *gal*
Application event totals		24.01	3.05	50.36	583.29	

ED - 06/16/2023: Corn, silage

Field name: ED

Crop: Corn, silage

Plant date: 06/16/2023

Application date	Application method	Precipitation 24 hours prior	Precipitation during application	Precipitation 24 hours following
06/02/2023	Surface (irrigation)	No precipitation	No precipitation	No precipitation

Source description	Material type	N (lbs/acre)	P (lbs/acre)	K (lbs/acre)	Salt (lbs/acre)	Amount
WWS	Process wastewater	85.13	10.82	178.56	1,972.50	4,914,000.00 *gal*
Canal	Surface water	0.00	0.00	0.00	34.99	25,478,290.00 *gal*
Application event totals		85.13	10.82	178.56	2,007.49	

07/18/2023	Pipeline	No precipitation	No precipitation	No precipitation

Source description	Material type	N (lbs/acre)	P (lbs/acre)	K (lbs/acre)	Salt (lbs/acre)	Amount
Canal	Surface water	0.00	0.00	0.00	32.32	23,537,418.00 *gal*
Application event totals		0.00	0.00	0.00	32.32	

07/29/2023	Surface (irrigation)	No precipitation	No precipitation	No precipitation

Source description	Material type	N (lbs/acre)	P (lbs/acre)	K (lbs/acre)	Salt (lbs/acre)	Amount
WWS	Process wastewater	78.22	9.94	164.06	1,812.34	4,515,000.00 *gal*
Canal	Surface water	0.00	0.00	0.00	28.63	20,849,522.00 *gal*
Application event totals		78.22	9.94	164.06	1,840.98	

08/08/2023	Surface (irrigation)	No precipitation	No precipitation	No precipitation

Source description	Material type	N (lbs/acre)	P (lbs/acre)	K (lbs/acre)	Salt (lbs/acre)	Amount
WWS	Process wastewater	69.12	8.79	144.99	1,601.61	3,990,000.00 *gal*
Canal	Surface water	0.00	0.00	0.00	26.88	19,572,724.00 *gal*
Application event totals		69.12	8.79	144.99	1,628.48	

08/19/2023	Surface (irrigation)	No precipitation	No precipitation	No precipitation

Source description	Material type	N (lbs/acre)	P (lbs/acre)	K (lbs/acre)	Salt (lbs/acre)	Amount
Canal	Surface water	0.00	0.00	0.00	26.42	19,240,450.00 *gal*
Application event totals		0.00	0.00	0.00	26.42	

ED - 06/16/2023: Corn, silage

Application date	Application method	Precipitation 24 hours prior	Precipitation during application	Precipitation 24 hours following
08/30/2023	Surface (irrigation)	No precipitation	No precipitation	No precipitation

Source description	Material type	N (lbs/acre)	P (lbs/acre)	K (lbs/acre)	Salt (lbs/acre)	Amount
WWS	Process wastewater	61.12	7.77	128.20	1,416.16	3,528,000.00 *gal*
Canal	Surface water	0.00	0.00	0.00	25.73	18,733,270.00 *gal*
Application event totals		61.12	7.77	128.20	1,441.88	

Application date	Application method	Precipitation 24 hours prior	Precipitation during application	Precipitation 24 hours following
09/09/2023	Surface (irrigation)	No precipitation	No precipitation	No precipitation

Source description	Material type	N (lbs/acre)	P (lbs/acre)	K (lbs/acre)	Salt (lbs/acre)	Amount
Canal	Surface water	0.00	0.00	0.00	24.97	18,182,640.00 *gal*
Application event totals		0.00	0.00	0.00	24.97	

Application date	Application method	Precipitation 24 hours prior	Precipitation during application	Precipitation 24 hours following
09/19/2023	Surface (irrigation)	No precipitation	No precipitation	No precipitation

Source description	Material type	N (lbs/acre)	P (lbs/acre)	K (lbs/acre)	Salt (lbs/acre)	Amount
Canal	Surface water	0.00	0.00	0.00	24.47	17,815,764.00 *gal*
Application event totals		0.00	0.00	0.00	24.47	

ESPINDULA - 10/16/2022: Oats, silage-soft dough

Field name: ESPINDULA

Crop: Oats, silage-soft dough

Plant date: 10/16/2022

Application date	Application method	Precipitation 24 hours prior	Precipitation during application	Precipitation 24 hours following
09/24/2022	Broadcast/incorporate	No precipitation	No precipitation	No precipitation

Source description	Material type	N (lbs/acre)	P (lbs/acre)	K (lbs/acre)	Salt (lbs/acre)	Amount
Solid Manure	Separator solids	90.62	20.68	34.59	1,342.32	340.00 *ton*
Application event totals		90.62	20.68	34.59	1,342.32	

Application date	Application method	Precipitation 24 hours prior	Precipitation during application	Precipitation 24 hours following
10/05/2022	Surface (irrigation)	No precipitation	No precipitation	No precipitation

Source description	Material type	N (lbs/acre)	P (lbs/acre)	K (lbs/acre)	Salt (lbs/acre)	Amount
Canal	Surface water	0.00	0.00	0.00	35.18	5,513,100.00 *gal*
Application event totals		0.00	0.00	0.00	35.18	

ESPINDULA - 10/16/2022: Oats, silage-soft dough

Application date	Application method	Precipitation 24 hours prior	Precipitation during application	Precipitation 24 hours following
01/11/2023	Surface (irrigation)	No precipitation	No precipitation	No precipitation

Source description	Material type	N (lbs/acre)	P (lbs/acre)	K (lbs/acre)	Salt (lbs/acre)	Amount
WWS	Process wastewater	33.76	4.16	33.66	210.29	210,000.00 *gal*
Application event totals		33.76	4.16	33.66	210.29	

Application date	Application method	Precipitation 24 hours prior	Precipitation during application	Precipitation 24 hours following
02/28/2023	Surface (irrigation)	No precipitation	No precipitation	No precipitation

Source description	Material type	N (lbs/acre)	P (lbs/acre)	K (lbs/acre)	Salt (lbs/acre)	Amount
WWS	Process wastewater	43.89	5.41	43.75	273.38	273,000.00 *gal*
Application event totals		43.89	5.41	43.75	273.38	

Application date	Application method	Precipitation 24 hours prior	Precipitation during application	Precipitation 24 hours following
03/16/2023	Surface (irrigation)	No precipitation	No precipitation	No precipitation

Source description	Material type	N (lbs/acre)	P (lbs/acre)	K (lbs/acre)	Salt (lbs/acre)	Amount
WWS	Process wastewater	27.01	3.33	26.93	168.24	168,000.00 *gal*
Application event totals		27.01	3.33	26.93	168.24	

Application date	Application method	Precipitation 24 hours prior	Precipitation during application	Precipitation 24 hours following
04/16/2023	Surface (irrigation)	No precipitation	No precipitation	No precipitation

Source description	Material type	N (lbs/acre)	P (lbs/acre)	K (lbs/acre)	Salt (lbs/acre)	Amount
Canal	Surface water	0.00	0.00	0.00	27.59	4,323,236.00 *gal*
Application event totals		0.00	0.00	0.00	27.59	

ESPINDULA - 06/17/2023: Corn, silage

Field name: ESPINDULA

Crop: Corn, silage

Plant date: 06/17/2023

Application date	Application method	Precipitation 24 hours prior	Precipitation during application	Precipitation 24 hours following
06/06/2023	Surface (irrigation)	No precipitation	No precipitation	No precipitation

Source description	Material type	N (lbs/acre)	P (lbs/acre)	K (lbs/acre)	Salt (lbs/acre)	Amount
Canal	Surface water	0.00	0.00	0.00	36.92	5,785,270.00 *gal*
Application event totals		0.00	0.00	0.00	36.92	

ESPINDULA - 06/17/2023: Corn, silage

Application date	Application method	Precipitation 24 hours prior	Precipitation during application	Precipitation 24 hours following
07/20/2023	Surface (irrigation)	No precipitation	No precipitation	No precipitation

Source description	Material type	N (lbs/acre)	P (lbs/acre)	K (lbs/acre)	Salt (lbs/acre)	Amount
WWS	Process wastewater	77.77	9.89	163.12	1,801.93	966,000.00 *gal*
Canal	Surface water	0.00	0.00	0.00	34.31	5,377,168.00 *gal*
Application event totals		77.77	9.89	163.12	1,836.25	

Application date	Application method	Precipitation 24 hours prior	Precipitation during application	Precipitation 24 hours following
07/31/2023	Surface (irrigation)	No precipitation	No precipitation	No precipitation

Source description	Material type	N (lbs/acre)	P (lbs/acre)	K (lbs/acre)	Salt (lbs/acre)	Amount
Canal	Surface water	0.00	0.00	0.00	32.46	5,087,284.00 *gal*
Application event totals		0.00	0.00	0.00	32.46	

Application date	Application method	Precipitation 24 hours prior	Precipitation during application	Precipitation 24 hours following
08/12/2023	Surface (irrigation)	No precipitation	No precipitation	No precipitation

Source description	Material type	N (lbs/acre)	P (lbs/acre)	K (lbs/acre)	Salt (lbs/acre)	Amount
WWS	Process wastewater	62.55	7.95	131.21	1,449.38	777,000.00 *gal*
Canal	Surface water	0.00	0.00	0.00	29.76	4,663,304.00 *gal*
Application event totals		62.55	7.95	131.21	1,479.14	

Application date	Application method	Precipitation 24 hours prior	Precipitation during application	Precipitation 24 hours following
08/24/2023	Surface (irrigation)	No precipitation	No precipitation	No precipitation

Source description	Material type	N (lbs/acre)	P (lbs/acre)	K (lbs/acre)	Salt (lbs/acre)	Amount
Canal	Surface water	0.00	0.00	0.00	28.18	4,415,138.00 *gal*
Application event totals		0.00	0.00	0.00	28.18	

Application date	Application method	Precipitation 24 hours prior	Precipitation during application	Precipitation 24 hours following
09/02/2023	Pipeline	No precipitation	No precipitation	No precipitation

Source description	Material type	N (lbs/acre)	P (lbs/acre)	K (lbs/acre)	Salt (lbs/acre)	Amount
WWS	Process wastewater	87.91	11.18	184.40	2,036.97	1,092,000.00 *gal*
Canal	Surface water	0.00	0.00	0.00	26.42	4,139,636.00 *gal*
Application event totals		87.91	11.18	184.40	2,063.38	

ESPINDULA - 06/17/2023: Corn, silage

Application date	Application method	Precipitation 24 hours prior	Precipitation during application	Precipitation 24 hours following
09/14/2023	Surface (irrigation)	No precipitation	No precipitation	No precipitation

Source description	Material type	N (lbs/acre)	P (lbs/acre)	K (lbs/acre)	Salt (lbs/acre)	Amount
WWS	Process wastewater	54.10	6.88	113.48	1,253.52	672,000.00 *gal*
Canal	Surface water	0.00	0.00	0.00	25.77	4,037,908.00 *gal*
Application event totals		54.10	6.88	113.48	1,279.28	

JENSEN - 10/16/2022: Oats, silage-soft dough

Field name: JENSEN

Crop: Oats, silage-soft dough

Plant date: 10/16/2022

Application date	Application method	Precipitation 24 hours prior	Precipitation during application	Precipitation 24 hours following
09/24/2022	Broadcast/incorporate	No precipitation	No precipitation	No precipitation

Source description	Material type	N (lbs/acre)	P (lbs/acre)	K (lbs/acre)	Salt (lbs/acre)	Amount
Solid Manure	Separator solids	90.62	20.68	34.59	1,342.32	750.00 *ton*
Application event totals		90.62	20.68	34.59	1,342.32	

Application date	Application method	Precipitation 24 hours prior	Precipitation during application	Precipitation 24 hours following
10/06/2022	Surface (irrigation)	No precipitation	No precipitation	No precipitation

Source description	Material type	N (lbs/acre)	P (lbs/acre)	K (lbs/acre)	Salt (lbs/acre)	Amount
Canal	Surface water	0.00	0.00	0.00	37.07	12,815,625.00 *gal*
Application event totals		0.00	0.00	0.00	37.07	

Application date	Application method	Precipitation 24 hours prior	Precipitation during application	Precipitation 24 hours following
01/08/2023	Surface (irrigation)	No precipitation	No precipitation	No precipitation

Source description	Material type	N (lbs/acre)	P (lbs/acre)	K (lbs/acre)	Salt (lbs/acre)	Amount
WWS	Process wastewater	44.38	5.47	44.25	276.47	609,000.00 *gal*
Application event totals		44.38	5.47	44.25	276.47	

Application date	Application method	Precipitation 24 hours prior	Precipitation during application	Precipitation 24 hours following
02/18/2023	Surface (irrigation)	No precipitation	No precipitation	No precipitation

Source description	Material type	N (lbs/acre)	P (lbs/acre)	K (lbs/acre)	Salt (lbs/acre)	Amount
WWS	Process wastewater	33.67	4.15	33.57	209.73	462,000.00 *gal*
Application event totals		33.67	4.15	33.57	209.73	

JENSEN - 10/16/2022: Oats, silage-soft dough

Application date	Application method	Precipitation 24 hours prior	Precipitation during application	Precipitation 24 hours following
03/10/2023	Surface (irrigation)	No precipitation	No precipitation	No precipitation

Source description	Material type	N (lbs/acre)	P (lbs/acre)	K (lbs/acre)	Salt (lbs/acre)	Amount
WWS	Process wastewater	36.73	4.53	36.62	228.80	504,000.00 *gal*
Application event totals		36.73	4.53	36.62	228.80	

Application date	Application method	Precipitation 24 hours prior	Precipitation during application	Precipitation 24 hours following
04/16/2023	Surface (irrigation)	No precipitation	No precipitation	No precipitation

Source description	Material type	N (lbs/acre)	P (lbs/acre)	K (lbs/acre)	Salt (lbs/acre)	Amount
Canal	Surface water	0.00	0.00	0.00	26.92	9,304,125.00 *gal*
Application event totals		0.00	0.00	0.00	26.92	

JENSEN - 06/17/2023: Corn, silage

Field name: JENSEN

Crop: Corn, silage

Plant date: 06/17/2023

Application date	Application method	Precipitation 24 hours prior	Precipitation during application	Precipitation 24 hours following
06/05/2023	Surface (irrigation)	No precipitation	No precipitation	No precipitation

Source description	Material type	N (lbs/acre)	P (lbs/acre)	K (lbs/acre)	Salt (lbs/acre)	Amount
Canal	Surface water	0.00	0.00	0.00	36.28	12,542,475.00 *gal*
Application event totals		0.00	0.00	0.00	36.28	

Application date	Application method	Precipitation 24 hours prior	Precipitation during application	Precipitation 24 hours following
07/19/2023	Surface (irrigation)	No precipitation	No precipitation	No precipitation

Source description	Material type	N (lbs/acre)	P (lbs/acre)	K (lbs/acre)	Salt (lbs/acre)	Amount
WWS	Process wastewater	99.63	12.67	208.99	2,308.56	2,730,000.00 *gal*
Canal	Surface water	0.00	0.00	0.00	33.84	11,696,925.00 *gal*
Application event totals		99.63	12.67	208.99	2,342.40	

Application date	Application method	Precipitation 24 hours prior	Precipitation during application	Precipitation 24 hours following
07/30/2023	Surface (irrigation)	No precipitation	No precipitation	No precipitation

Source description	Material type	N (lbs/acre)	P (lbs/acre)	K (lbs/acre)	Salt (lbs/acre)	Amount
Canal	Surface water	0.00	0.00	0.00	31.05	10,732,425.00 *gal*
Application event totals		0.00	0.00	0.00	31.05	

JENSEN - 06/17/2023: Corn, silage

Application date	Application method	Precipitation 24 hours prior	Precipitation during application	Precipitation 24 hours following
08/11/2023	Surface (irrigation)	No precipitation	No precipitation	No precipitation

Source description	Material type	N (lbs/acre)	P (lbs/acre)	K (lbs/acre)	Salt (lbs/acre)	Amount
Canal	Surface water	0.00	0.00	0.00	29.75	10,283,550.00 *gal*
Application event totals		0.00	0.00	0.00	29.75	

08/23/2023	Surface (irrigation)	No precipitation	No precipitation	No precipitation

Source description	Material type	N (lbs/acre)	P (lbs/acre)	K (lbs/acre)	Salt (lbs/acre)	Amount
WWS	Process wastewater	88.14	11.21	184.87	2,042.19	2,415,000.00 *gal*
Canal	Surface water	0.00	0.00	0.00	27.63	9,549,450.00 *gal*
Application event totals		88.14	11.21	184.87	2,069.81	

09/01/2023	Surface (irrigation)	No precipitation	No precipitation	No precipitation

Source description	Material type	N (lbs/acre)	P (lbs/acre)	K (lbs/acre)	Salt (lbs/acre)	Amount
WWS	Process wastewater	65.91	8.38	138.25	1,527.20	1,806,000.00 *gal*
Canal	Surface water	0.00	0.00	0.00	26.63	9,203,625.00 *gal*
Application event totals		65.91	8.38	138.25	1,553.83	

09/13/2023	Surface (irrigation)	No precipitation	No precipitation	No precipitation

Source description	Material type	N (lbs/acre)	P (lbs/acre)	K (lbs/acre)	Salt (lbs/acre)	Amount
WWS	Process wastewater	49.05	6.24	102.89	1,136.52	1,344,000.00 *gal*
Canal	Surface water	0.00	0.00	0.00	25.72	8,889,075.00 *gal*
Application event totals		49.05	6.24	102.89	1,162.24	

B. NUTRIENT BUDGET

ED - 10/15/2022: Oats, silage-soft dough

Field name: ED | Crop: Oats, silage-soft dough | Plant date: 10/15/2022

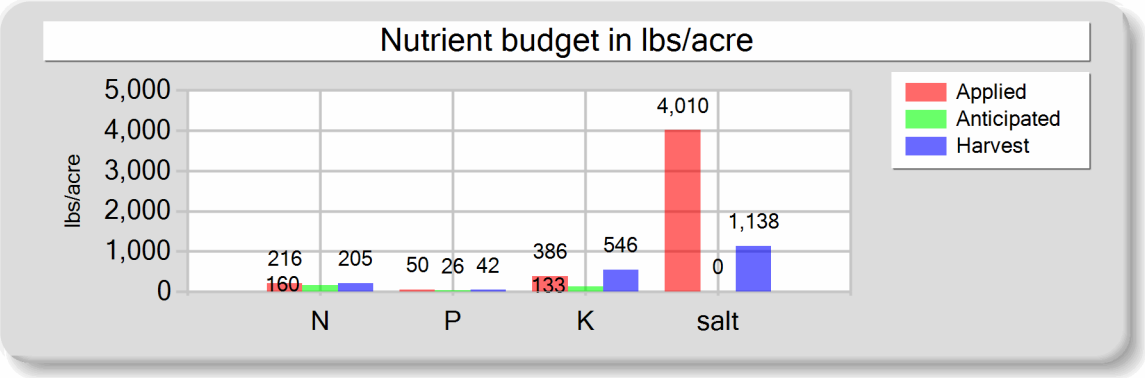

	Total N (lbs/acre)	Total P (lbs/acre)	Total K (lbs/acre)	Total salt (lbs/acre)
Existing soil nutrient content	0.00	0.00	0.00	0.00
Plowdown credit	0.00	0.00	0.00	0.00
Commercial fertilizer / Other	0.00	0.00	0.00	0.00
Dry manure	90.62	20.68	34.59	1,342.32
Process wastewater	118.03	29.12	351.26	2,603.65
Fresh water	0.00	0.00	0.00	63.74
Atmospheric deposition	7.00	0.00	0.00	0.00
Total nutrients applied	215.65	49.80	385.86	4,009.71
Anticipated crop nutrient removal	160.00	25.60	132.80	0.00
Actual crop nutrient removal	205.32	41.76	546.36	1,138.10
Nutrient balance	10.33	8.04	-160.50	2,871.61
Applied to removed ratio	1.05	1.19	0.71	3.52

Fresh water applied	
46,413,132.00	*gallons*
1,709.24	*acre-inches*
10.82	*inches/acre*

Process wastewater applied	
6,573,000.00	*gallons*
242.06	*acre-inches*
1.53	*inches/acre*

Total harvests for the crop	
1	*harvests*

ED - 06/16/2023: Corn, silage

Field name: ED Crop: Corn, silage Plant date: 06/16/2023

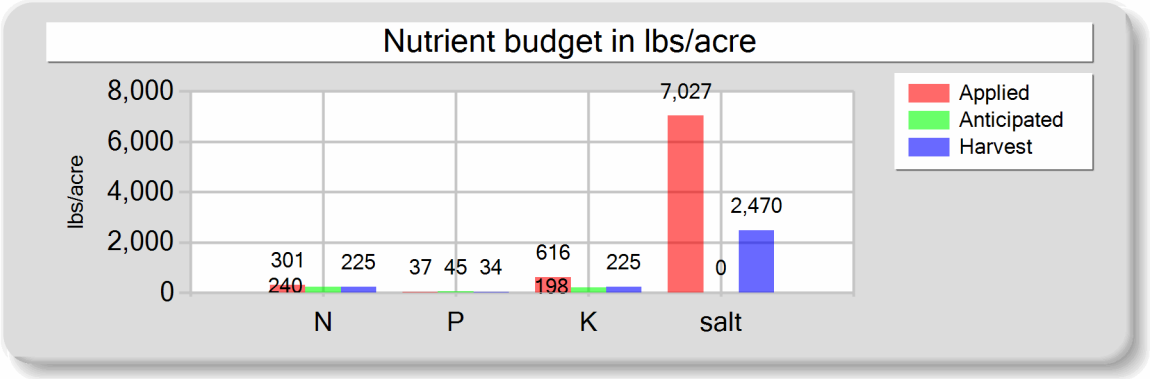

	Total N (lbs/acre)	Total P (lbs/acre)	Total K (lbs/acre)	Total salt (lbs/acre)
Existing soil nutrient content	0.00	0.00	0.00	0.00
Plowdown credit	0.00	0.00	0.00	0.00
Commercial fertilizer / Other	0.00	0.00	0.00	0.00
Dry manure	0.00	0.00	0.00	0.00
Process wastewater	293.59	37.32	615.82	6,802.61
Fresh water	0.00	0.00	0.00	224.40
Atmospheric deposition	7.00	0.00	0.00	0.00
Total nutrients applied	300.59	37.32	615.82	7,027.01
Anticipated crop nutrient removal	240.00	45.00	198.00	0.00
Actual crop nutrient removal	224.80	33.72	224.80	2,470.10
Nutrient balance	75.79	3.60	391.02	4,556.91
Applied to removed ratio	1.34	1.11	2.74	2.84

Fresh water applied	
163,410,078.00	*gallons*
6,017.84	*acre-inches*
38.09	*inches/acre*

Process wastewater applied	
16,947,000.00	*gallons*
624.10	*acre-inches*
3.95	*inches/acre*

Total harvests for the crop	
1	*harvests*

ESPINDULA - 10/16/2022: Oats, silage-soft dough

Field name: ESPINDULA Crop: Oats, silage-soft dough Plant date: 10/16/2022

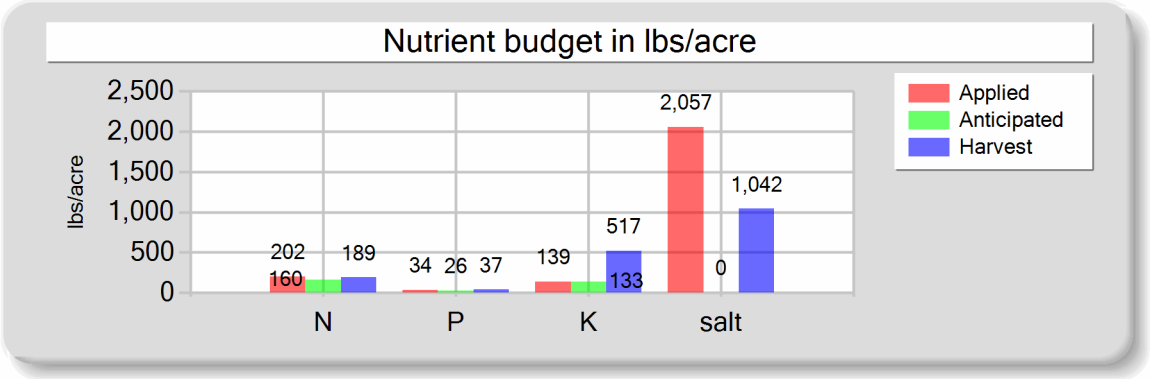

	Total N (lbs/acre)	Total P (lbs/acre)	Total K (lbs/acre)	Total salt (lbs/acre)
Existing soil nutrient content	0.00	0.00	0.00	0.00
Plowdown credit	0.00	0.00	0.00	0.00
Commercial fertilizer / Other	0.00	0.00	0.00	0.00
Dry manure	90.62	20.68	34.59	1,342.32
Process wastewater	104.66	12.89	104.34	651.91
Fresh water	0.00	0.00	0.00	62.77
Atmospheric deposition	7.00	0.00	0.00	0.00
Total nutrients applied	202.27	33.57	138.93	2,057.00
Anticipated crop nutrient removal	160.00	25.60	132.80	0.00
Actual crop nutrient removal	189.28	37.18	517.14	1,041.58
Nutrient balance	12.99	-3.61	-378.21	1,015.42
Applied to removed ratio	1.07	0.90	0.27	1.97

Fresh water applied	
9,836,336.00	*gallons*
362.24	*acre-inches*
10.65	*inches/acre*

Process wastewater applied	
651,000.00	*gallons*
23.97	*acre-inches*
0.71	*inches/acre*

Total harvests for the crop	
1	*harvests*

ESPINDULA - 06/17/2023: Corn, silage

Field name: ESPINDULA Crop: Corn, silage Plant date: 06/17/2023

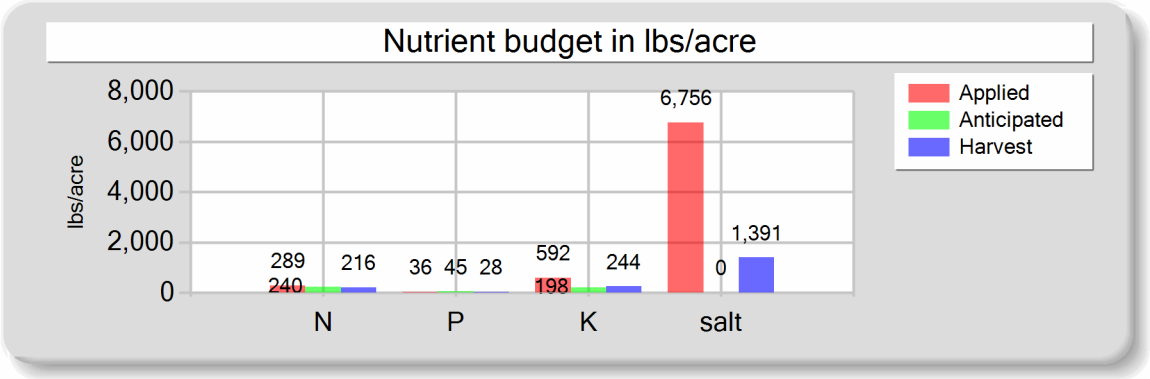

	Total N (lbs/acre)	Total P (lbs/acre)	Total K (lbs/acre)	Total salt (lbs/acre)
Existing soil nutrient content	0.00	0.00	0.00	0.00
Plowdown credit	0.00	0.00	0.00	0.00
Commercial fertilizer / Other	0.00	0.00	0.00	0.00
Dry manure	0.00	0.00	0.00	0.00
Process wastewater	282.33	35.89	592.20	6,541.79
Fresh water	0.00	0.00	0.00	213.82
Atmospheric deposition	7.00	0.00	0.00	0.00
Total nutrients applied	289.33	35.89	592.20	6,755.61
Anticipated crop nutrient removal	240.00	45.00	198.00	0.00
Actual crop nutrient removal	216.06	27.70	243.76	1,391.09
Nutrient balance	73.27	8.19	348.44	5,364.51
Applied to removed ratio	1.34	1.30	2.43	4.86

Fresh water applied	
33,505,708.00	*gallons*
1,233.90	*acre-inches*
36.29	*inches/acre*

Process wastewater applied	
3,507,000.00	*gallons*
129.15	*acre-inches*
3.80	*inches/acre*

Total harvests for the crop	
1	*harvests*

JENSEN - 10/16/2022: Oats, silage-soft dough

Field name: JENSEN Crop: Oats, silage-soft dough Plant date: 10/16/2022

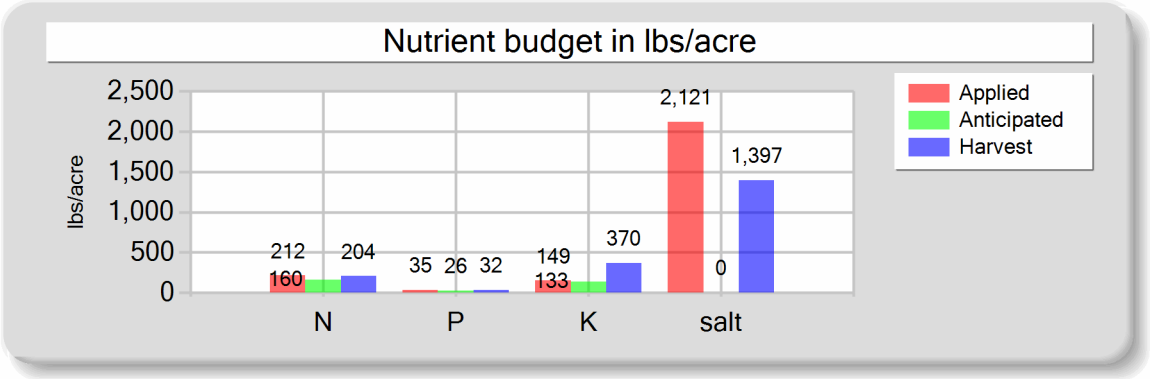

	Total N (lbs/acre)	Total P (lbs/acre)	Total K (lbs/acre)	Total salt (lbs/acre)
Existing soil nutrient content	0.00	0.00	0.00	0.00
Plowdown credit	0.00	0.00	0.00	0.00
Commercial fertilizer / Other	0.00	0.00	0.00	0.00
Dry manure	90.62	20.68	34.59	1,342.32
Process wastewater	114.79	14.14	114.43	715.00
Fresh water	0.00	0.00	0.00	63.99
Atmospheric deposition	7.00	0.00	0.00	0.00
Total nutrients applied	212.40	34.82	149.03	2,121.31
Anticipated crop nutrient removal	160.00	25.60	132.80	0.00
Actual crop nutrient removal	204.16	31.68	369.60	1,396.60
Nutrient balance	8.24	3.14	-220.57	724.72
Applied to removed ratio	1.04	1.10	0.40	1.52

Fresh water applied	
22,119,750.00	*gallons*
814.60	*acre-inches*
10.86	*inches/acre*

Process wastewater applied	
1,575,000.00	*gallons*
58.00	*acre-inches*
0.77	*inches/acre*

Total harvests for the crop	
1	*harvests*

JENSEN - 06/17/2023: Corn, silage

Field name: JENSEN Crop: Corn, silage Plant date: 06/17/2023

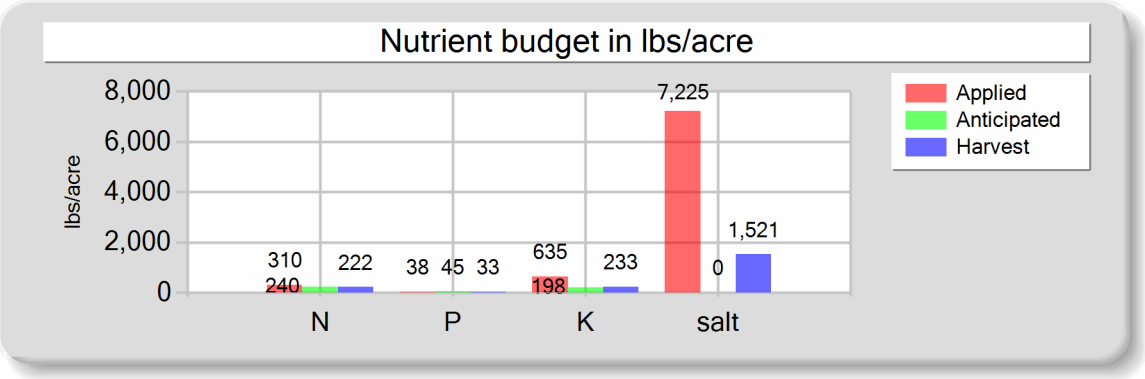

	Total N (lbs/acre)	Total P (lbs/acre)	Total K (lbs/acre)	Total salt (lbs/acre)
Existing soil nutrient content	0.00	0.00	0.00	0.00
Plowdown credit	0.00	0.00	0.00	0.00
Commercial fertilizer / Other	0.00	0.00	0.00	0.00
Dry manure	0.00	0.00	0.00	0.00
Process wastewater	302.73	38.49	634.99	7,014.47
Fresh water	0.00	0.00	0.00	210.89
Atmospheric deposition	7.00	0.00	0.00	0.00
Total nutrients applied	309.73	38.49	634.99	7,225.36
Anticipated crop nutrient removal	240.00	45.00	198.00	0.00
Actual crop nutrient removal	222.22	32.52	233.06	1,520.53
Nutrient balance	87.51	5.97	401.93	5,704.83
Applied to removed ratio	1.39	1.18	2.72	4.75

Fresh water applied	
72,897,525.00	*gallons*
2,684.57	*acre-inches*
35.79	*inches/acre*

Process wastewater applied	
8,295,000.00	*gallons*
305.48	*acre-inches*
4.07	*inches/acre*

Total harvests for the crop	
1	*harvests*

NUTRIENT ANALYSES

A. MANURE ANALYSES

Fall 2022 Separated Solids

Sample and source description: Fall 2022 Separated Solids

Sample date: 11/15/2022 Material type: Separator solids Source of analysis: Lab analysis Method of reporting: Dry-weight

Moisture: 81.2 %

	Total N (mg/kg)	Total P (mg/kg)	Total K (mg/kg)	Calcium (mg/kg)	Magnesium (mg/kg)	Sodium (mg/kg)	Sulfur (mg/kg)	Chloride (mg/kg)	Total salt (mg/kg)	TFS (%)
Value	24,100.00	5,500.00	9,200.00							35.70
DL	100.00	100.00	100.00							0.01

Spring Corral Solids

Sample and source description: Spring Corral Solids

Sample date: 05/03/2023 Material type: Corral solids Source of analysis: Lab analysis Method of reporting: Dry-weight

Moisture: 51.9 %

	Total N (mg/kg)	Total P (mg/kg)	Total K (mg/kg)	Calcium (mg/kg)	Magnesium (mg/kg)	Sodium (mg/kg)	Sulfur (mg/kg)	Chloride (mg/kg)	Total salt (mg/kg)	TFS (%)
Value	12,500.00	2,000.00	10,300.00							64.70
DL	100.00	100.00	100.00							0.01

Spring Separated Solids

Sample and source description: Spring Separated Solids

Sample date: 05/03/2023 Material type: Separator solids Source of analysis: Lab analysis Method of reporting: Dry-weight

Moisture: 78.1 %

	Total N (mg/kg)	Total P (mg/kg)	Total K (mg/kg)	Calcium (mg/kg)	Magnesium (mg/kg)	Sodium (mg/kg)	Sulfur (mg/kg)	Chloride (mg/kg)	Total salt (mg/kg)	TFS (%)
Value	16,500.00	2,200.00	5,000.00							9.40
DL	100.00	100.00	100.00							0.01

Fall Separated Solids

Sample and source description: Fall Separated Solids

Sample date: 10/23/2023 Material type: Separator solids Source of analysis: Lab analysis Method of reporting: Dry-weight

Moisture: 71.7 %

	Total N (mg/kg)	Total P (mg/kg)	Total K (mg/kg)	Calcium (mg/kg)	Magnesium (mg/kg)	Sodium (mg/kg)	Sulfur (mg/kg)	Chloride (mg/kg)	Total salt (mg/kg)	TFS (%)
Value	28,800.00	6,100.00	4,700.00	18,900.00	6,000.00	1,700.00	6,700.00	1,180.00		30.80
DL	100.00	100.00	100.00	100.00	100.00	100.00	100.00	100.00		0.01

B. PROCESS WASTEWATER ANALYSES

2022 WWSQ4

Sample and source description: 2022 WWSQ4

Sample date: 12/13/2022 Material type: Process wastewater Source of analysis: Lab analysis pH:

	Kjeldahl-N (mg/L)	NH4-N (mg/L)	NH3-N (mg/L)	Nitrate-N (mg/L)	Total P (mg/L)	Total K (mg/L)	Calcium (mg/L)	Magnes. (mg/L)	Sodium (mg/L)	Bicarb. (mg/L)	Carb. (mg/L)	Sulfate (mg/L)	Chloride (mg/L)	EC (µmhos/cm)	TDS (mg/L)
Value	258.00	171.00	0.00	0.00	99.10	1,220.00								6,620.00	8,400
DL	0.50	0.50	0.50	0.50	0.50	0.50								1.00	10

WWSQ1

Sample and source description: WWSQ1

Sample date: 03/22/2023 Material type: Process wastewater Source of analysis: Lab analysis pH:

	Kjeldahl-N (mg/L)	NH4-N (mg/L)	NH3-N (mg/L)	Nitrate-N (mg/L)	Total P (mg/L)	Total K (mg/L)	Calcium (mg/L)	Magnes. (mg/L)	Sodium (mg/L)	Bicarb. (mg/L)	Carb. (mg/L)	Sulfate (mg/L)	Chloride (mg/L)	EC (µmhos/cm)	TDS (mg/L)
Value	655.00	258.00	0.00	0.00	80.70	653.00								5,340.00	4,080
DL	0.50	0.50	0.50	0.50	0.50	0.50								1.00	10

WWSQ2

Sample and source description: WWSQ2

Sample date: 06/07/2023 Material type: Process wastewater Source of analysis: Lab analysis pH:

	Kjeldahl-N (mg/L)	NH4-N (mg/L)	NH3-N (mg/L)	Nitrate-N (mg/L)	Total P (mg/L)	Total K (mg/L)	Calcium (mg/L)	Magnes. (mg/L)	Sodium (mg/L)	Bicarb. (mg/L)	Carb. (mg/L)	Sulfate (mg/L)	Chloride (mg/L)	EC (µmhos/cm)	TDS (mg/L)
Value	25.20	2.80	0.00	0.00	6.24	44.90								1,890.00	2,640
DL	0.50	0.50	0.50	0.50	0.50	0.50								1.00	10

WWSQ3

Sample and source description: WWSQ3

Sample date: 09/20/2023 Material type: Process wastewater Source of analysis: Lab analysis pH:

	Kjeldahl-N (mg/L)	NH4-N (mg/L)	NH3-N (mg/L)	Nitrate-N (mg/L)	Total P (mg/L)	Total K (mg/L)	Calcium (mg/L)	Magnes. (mg/L)	Sodium (mg/L)	Bicarb. (mg/L)	Carb. (mg/L)	Sulfate (mg/L)	Chloride (mg/L)	EC (µmhos/cm)	TDS (mg/L)
Value	328.00	218.00	0.00	0.00	41.70	688.00	137.00	109.00	367.00	2,340.00	120.00	169.00	160.00	6,040.00	7,600
DL	0.50	0.50	0.50	0.50	0.50	0.50	0.50	0.50	0.50	0.50	0.50	0.50	0.50	1.00	10

WWSQ4

Sample and source description: WWSQ4

Sample date: 12/12/2023 Material type: Process wastewater Source of analysis: Lab analysis pH:

	Kjeldahl-N (mg/L)	NH4-N (mg/L)	NH3-N (mg/L)	Nitrate-N (mg/L)	Total P (mg/L)	Total K (mg/L)	Calcium (mg/L)	Magnes. (mg/L)	Sodium (mg/L)	Bicarb. (mg/L)	Carb. (mg/L)	Sulfate (mg/L)	Chloride (mg/L)	EC (µmhos/cm)	TDS (mg/L)
Value	703.00	476.00	0.00	0.00	59.60	1,020.00								9,570.00	9,500
DL	0.50	0.50	0.50	0.50	0.50	0.50								1.00	10

C. FRESH WATER ANALYSES

Canal

Canal

T.I.D Canal

Sample description: T.I.D Canal

Sample date: 07/25/2023 Source of analysis: Lab analysis

	Total N (mg/L)	NH4-N (mg/L)	Nitrate-N (mg/L)	Calcium (mg/L)	Magnesium (mg/L)	Sodium (mg/L)	Bicarbonate (mg/L)	Carbonate (mg/L)	Sulfate (mg/L)	Chloride (mg/L)	EC (µmhos/cm)	TDS (mg/L)
Value	0.00	0.00	0.00								31.10	26
DL	0.50	0.50	0.50								1.00	10

Irrigation Well

IW #1

Sample description: IW #1

Sample date: 12/12/2023 Source of analysis: Lab analysis

	Total N (mg/L)	NH4-N (mg/L)	Nitrate-N (mg/L)	Calcium (mg/L)	Magnesium (mg/L)	Sodium (mg/L)	Bicarbonate (mg/L)	Carbonate (mg/L)	Sulfate (mg/L)	Chloride (mg/L)	EC (µmhos/cm)	TDS (mg/L)
Value	46.50	0.00	43.70								1,420.00	740
DL	0.50	0.50	0.50								1.00	10

D. SOIL ANALYSES

No soil analyses entered.

E. PLANT TISSUE ANALYSES

ED - 10/15/2022: Oats, silage-soft dough

ED - 10/15/2022: Oats, silage-soft dough

Winter Forage

Sample and source description: Winter Forage

Sample date: 05/12/2023 Source of analysis: Lab analysis Method of reporting: As-is

Moisture: 77.6 %

	Total N (mg/kg)	Total P (mg/kg)	Total K (mg/kg)	Total salt (mg/kg)	TFS (%)
Value	5,900.00	1,200.00	15,700.00		14.60
DL	100.00	100.00	100.00		0.01

ED - 06/16/2023: Corn, silage

Corn Silage

Sample and source description: Corn Silage

Sample date: 10/20/2023 Source of analysis: Lab analysis Method of reporting: As-is

Moisture: 67.2 %

	Total N (mg/kg)	Total P (mg/kg)	Total K (mg/kg)	Total salt (mg/kg)	TFS (%)
Value	4,000.00	600.00	4,000.00		13.40
DL	100.00	100.00	100.00		0.01

ESPINDULA - 10/16/2022: Oats, silage-soft dough

Winter Forage

Sample and source description: Winter Forage

Sample date: 05/12/2023 Source of analysis: Lab analysis Method of reporting: As-is

Moisture: 78.6 %

	Total N (mg/kg)	Total P (mg/kg)	Total K (mg/kg)	Total salt (mg/kg)	TFS (%)
Value	5,600.00	1,100.00	15,300.00		14.40
DL	100.00	100.00	100.00		0.01

ESPINDULA - 06/17/2023: Corn, silage

Corn Silage

Sample and source description: Corn Silage

Sample date: 10/20/2023 Source of analysis: Lab analysis Method of reporting: As-is

Moisture: 69.0 %

	Total N (mg/kg)	Total P (mg/kg)	Total K (mg/kg)	Total salt (mg/kg)	TFS (%)
Value	3,900.00	500.00	4,400.00		8.10
DL	100.00	100.00	100.00		0.01

JENSEN - 10/16/2022: Oats, silage-soft dough

Winter Forage

Sample and source description: Winter Forage

Sample date: 05/12/2023 Source of analysis: Lab analysis Method of reporting: As-is

Moisture: 63.6 %

	Total N (mg/kg)	Total P (mg/kg)	Total K (mg/kg)	Total salt (mg/kg)	TFS (%)
Value	5,800.00	900.00	10,500.00		10.90
DL	100.00	100.00	100.00		0.01

JENSEN - 06/17/2023: Corn, silage

Corn Silage

Sample and source description: Corn Silage

Sample date: 10/20/2023 Source of analysis: Lab analysis Method of reporting: As-is

Moisture: 66.2 %

	Total N (mg/kg)	Total P (mg/kg)	Total K (mg/kg)	Total salt (mg/kg)	TFS (%)
Value	4,100.00	600.00	4,300.00		8.30
DL	100.00	100.00	100.00		0.01

F. SUBSURFACE (TILE) DRAINAGE ANALYSES

No subsurface (tile) drainage analyses entered.

NUTRIENT APPLICATIONS, POTENTIAL REMOVAL, AND BALANCE

A. SUMMARY OF NUTRIENT APPLICATIONS, POTENTIAL REMOVAL, AND BALANCE

	Total N (lbs)	Total P (lbs)	Total K (lbs)	Total salt (lbs)
Existing soil nutrient content	0.00	0.00	0.00	0.00
Plowdown credit	0.00	0.00	0.00	0.00
Commercial fertilizer / Other	0.00	0.00	0.00	0.00
Dry manure	24,194.47	5,521.56	9,236.06	358,399.44
Process wastewater	109,506.57	16,104.35	232,688.03	2,310,486.16
Fresh water	0.00	0.00	0.00	75,545.16
Atmospheric deposition	3,738.00	0.00	0.00	0.00
Total nutrients applied	137,439.04	21,625.91	241,924.10	2,744,430.76
Anticipated crop nutrient removal	106,800.00	18,850.20	88,323.60	0.00
Actual crop nutrient removal	113,719.02	18,946.76	192,913.38	871,590.95
Nutrient balance	23,720.02	2,679.15	49,010.72	1,872,839.82
Applied to removed ratio	1.21	1.14	1.25	3.15

B. POUNDS OF NUTRIENT APPLIED VS. CROP REMOVAL

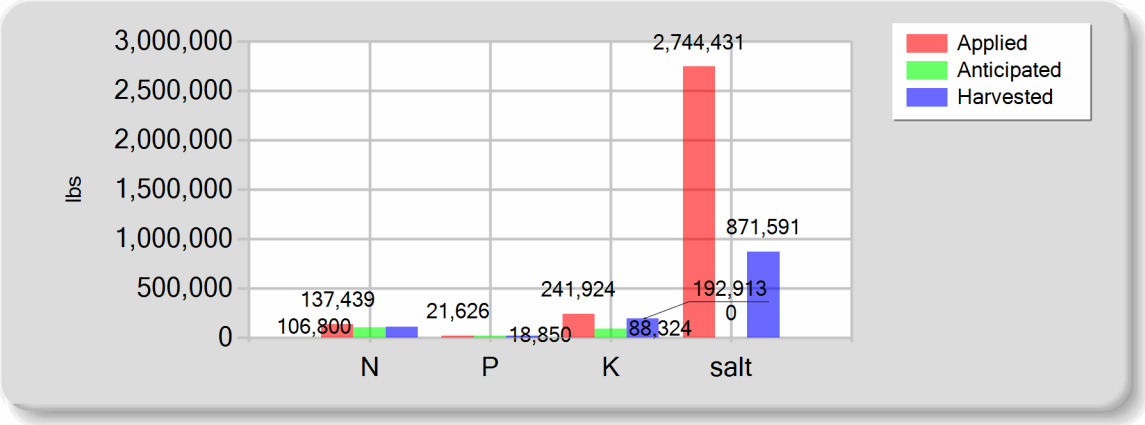

C. POUNDS OF NUTRIENT APPLIED BY MATERIAL TYPE

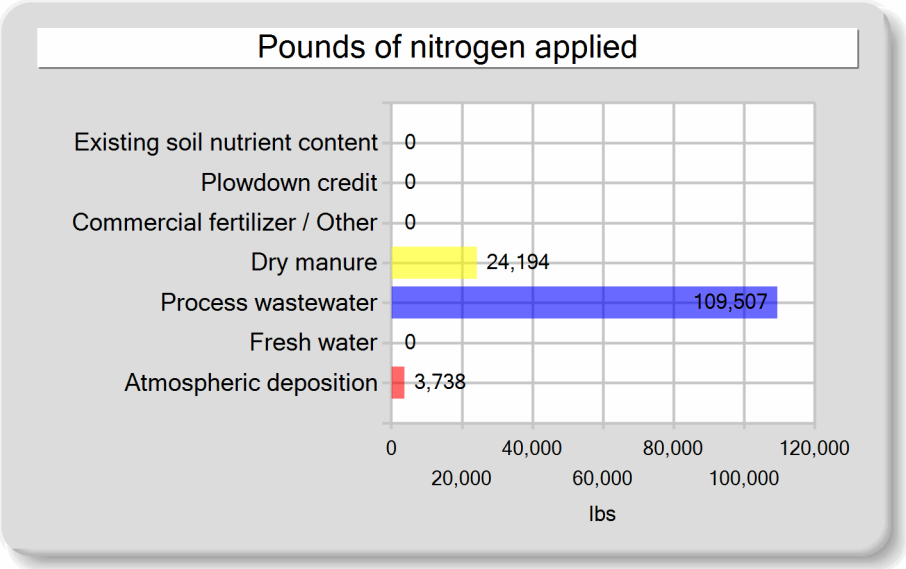

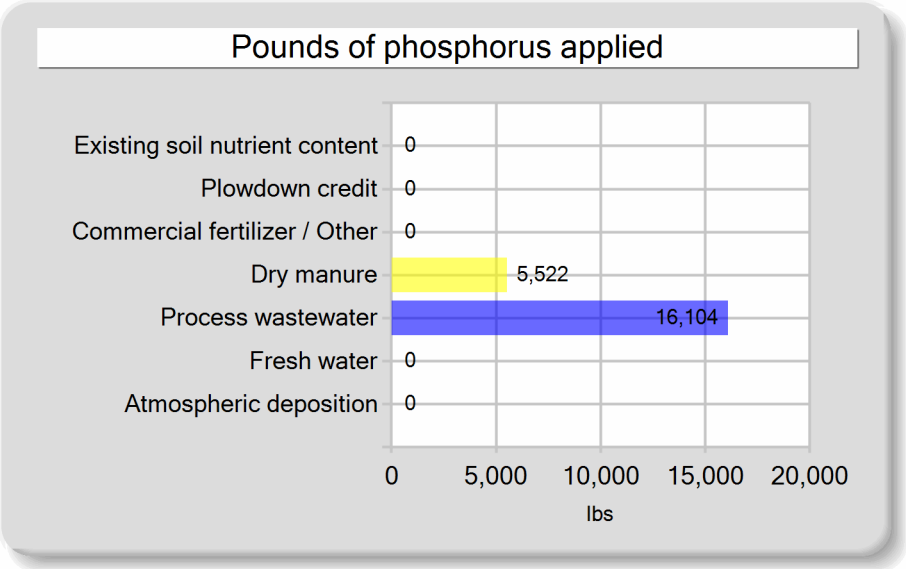

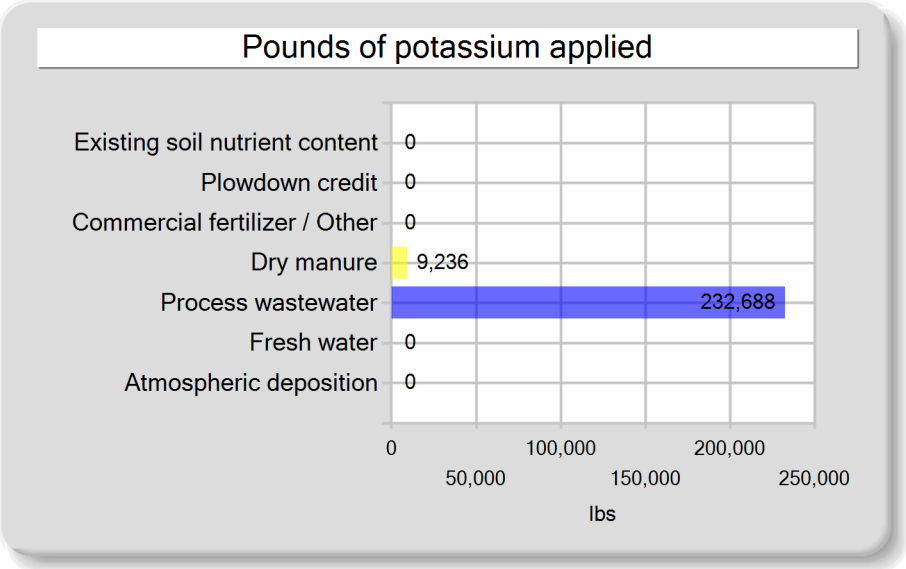

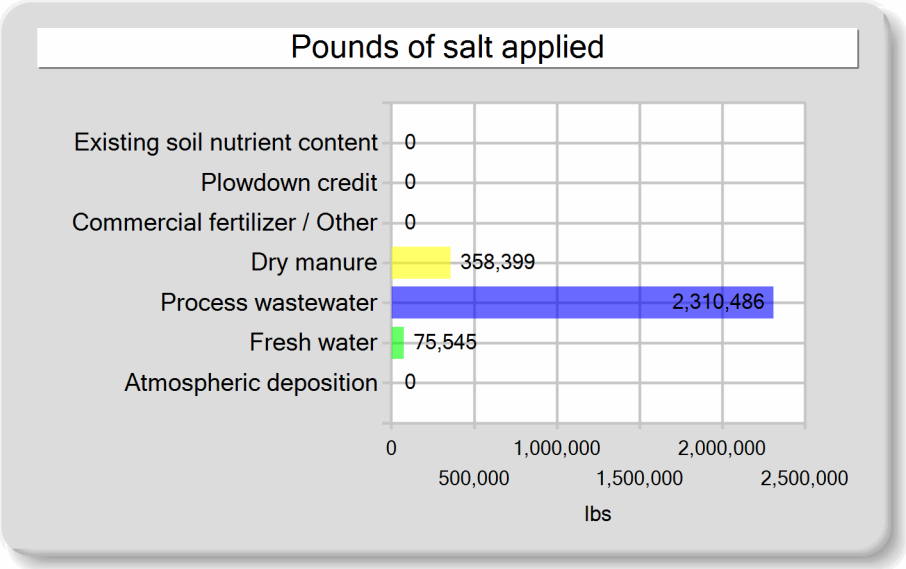

EXCEPTION REPORTING

A. MANURE, PROCESS WASTEWATER, AND OTHER DAIRY WASTE DISCHARGES

The following is a summary of all manure and process wastewater discharges from the production area to surface water or to land areas (land application areas or otherwise) when not in accordance with the facility's Nutrient Management Plan.

No manure or process wastewater discharges occurred during the reporting period.

B. STORM WATER DISCHARGES

The following is a summary of all storm water discharges from the production area to surface water during the reporting period when not in accordance with the facility 's Nutrient Management Plan.

No stormwater discharges occurred during the reporting period.

C. LAND APPLICATION AREA TO SURFACE WATER DISCHARGES

The following is a summary of all discharges from the land application area to surface water that have occurred during the reporting period when not in accordance with the facility's Nutrient Management Plan.

No land application area to surface water discharges occurred during the reporting period.

NUTRIENT MANAGEMENT PLAN AND EXPORT AGREEMENT STATEMENTS

A. NUTRIENT MANAGEMENT PLAN STATEMENTS

Was the facility's NMP updated in the reporting period?	No
Was the facility's NMP developed by a certified nutrient management planner (specialist) as specified in Attachment C of the General Order?	Yes
Was the facility's NMP approved by a certified nutrient management planner (specialist) as specified in Attachment C of the General Order?	Yes

B. EXPORT AGREEMENT STATEMENT

Are there any written agreements with third parties to receive manure or process wastewater that are new or were revised within the reporting period?	No

ADDITIONAL NOTES

A. NOTES

No notes entered for this annual report.

CERTIFICATION

A. OWNER AND/OR OPERATOR CERTIFICATION

I certify under penalty of law that I have personally examined and am familiar with the information submitted in this document and all attachments and that, based on my inquiry of those individuals immediately responsible for obtaining the information, I believe that the information is true, accurate, and complete. I am aware that there are significant penalties for submitting false information, including the possibility of fine and imprisonment.

RITA DELLIS RITA DELLIS (May 20, 2024 09:09 PDT)	RITA DELLIS RITA DELLIS (May 20, 2024 09:09 PDT)
SIGNATURE OF OWNER OF FACILITY	SIGNATURE OF OPERATOR OF FACILITY
Rita Dellis	SAME AS OWNER
PRINT OR TYPE NAME	PRINT OR TYPE NAME
May 20, 2024	May 20, 2024
DATE	DATE

ATTACHMENTS

A. REQUIRED ATTACHMENTS

The following lists the required documents that should be attached to the Annual Report when submitted .

Annual Dairy Facility Assessment
Provide an Annual Dairy Facility Assessment (an update to the Preliminary Dairy Facility Assessment in Attachment A) for each reporting period. On the PDFA Final page, click on the ADFA Report button to generate an ADFA report after updating information as needed .

Manure/Process Wastewater Tracking Manifests
Provide copies of all manure/process wastewater tracking manifests for the reporting period, signed by both the owner/operator and the hauler.

Corrective Actions Documents
Provide records documenting any corrective actions taken to correct deficiencies noted as a result of the inspections required in the Monitoring Requirements of the General Order. Deficiencies not corrected in 30 days must be accompanied by an explanation of the factors preventing immediate correction.

Groundwater Monitoring
Dischargers that monitor supply wells or subsurface (tile) drainage systems, or that have monitoring well systems must submit monitoring results as directed in the General Order, Groundwater Reporting Section starting on page MRP-13.

Storm Water Monitoring
Dischargers that are required to monitor storm water more frequently than required in the General Order must submit monitoring results as directed in the General Order, Storm Water Reporting Section on page MRP-14.

ATTACHMENT D

Manure/Process Wastewater Tracking Manifest
For
Existing Milk Cow Dairies

Instructions:

1) Complete one manifest for each hauling event, for each destination. A hauling event may last for several days, as long as the manure is being hauled to the same destination.
2) If there are multiple destinations, **complete a separate form for each destination**.
3) The operator must obtain the signature of the hauler upon completion of each manure-hauling event.
4) The operator shall submit copies of manure/process wastewater tracking manifest(s) with the Annual Monitoring Report for Existing Milk Cow Dairies.

Operator Information:
Name of Operator: Rita Dellis

Name of Dairy Facility: Edelweiss Dairy

Facility Address: 2306 W. Fulkerth Rd. Crowslanding 95313

Number and Street City Zip Code

Contact Person Name and Phone Number: Rita Dellis 209-537-9883

Name Phone Number

Manure/Process Wastewater Hauler Information:
Name of Hauling Company/Person:

Address of Hauling Company /Person:

Number and Street City Zip Code

Contact Person:

Name Phone Number

Destination Information:
Composting Facility / Broker / Farmer / Other (identify) (please circle one)

Contact information of Composting Facility, Broker, Farmer, or Other (as identified above):

Trinkler Dairy Farms 7251 Crowslanding Rd. Ceres 95307 209-652-7510

Name Number and Street City Zip Code Phone Number

Manure/Process Wastewater Destination Address or Assessor's Parcel Number:

022-003-007

Number and Street City Zip Code Assessor's Parcel Number

Dates Hauled: 1/31/23

Amount Hauled:
Enter the amount of manure hauled in tons or cubic yards (indicate the units used), the manure solids content (if amount reported in tons) or manure density (if amount reported in cubic yards), and the method used to calculate the amount:

Manure: Tons or Cubic Yards (indicate which units used)

Manure Solids Content (if amount reported in tons):

Manure Density (if amount reported in cubic yards):

Method used to determine amount of manure: _____

_____

Enter the amount of process wastewater hauled in gallons and the method used to determine the amount.

Process Wastewater: 2,680,000 Gallons

Method used to determine volume of process wastewater: PO

_____

Written Agreement:
Does the Operator have a written agreement (in compliance with Land Application Specification C.2 of Waste Discharge Requirements General Order No. R5-2007-0035) with any party that receives process wastewater from the Operator for its own use? (please check one)

X Yes _____ No

If the answer is no, the Operator agrees to have such a written agreement with any such party for any process wastewater transferred after **31 December 2007** to such party.
_____(Operator shall provide initials here to acknowledge this requirement).

Certification:
I declare under the penalty of law that I personally examined and am familiar with the information submitted in this document, and that based on my inquiry of those individuals immediately responsible for obtaining the information, I believe that the information is true, accurate, and complete. I am aware that there are significant penalties for submitting false information, including the possibility of a fine and imprisonment for knowing violations.

Operator's Signature: RITA DELLIS
RITA DELLIS (May 20, 2024 09:09 PDT) Date: May 20, 2024

Hauler's Signature: N/A Date: _____

ATTACHMENT D

Manure/Process Wastewater Tracking Manifest
For
Existing Milk Cow Dairies

Instructions:

1) Complete one manifest for each hauling event, for each destination. A hauling event may last for several days, as long as the manure is being hauled to the same destination.
2) If there are multiple destinations, **complete a separate form for each destination**.
3) The operator must obtain the signature of the hauler upon completion of each manure-hauling event.
4) The operator shall submit copies of manure/process wastewater tracking manifest(s) with the Annual Monitoring Report for Existing Milk Cow Dairies.

Operator Information:
Name of Operator: Rita Dellis

Name of Dairy Facility: Edelweiss Dairy

Facility Address: 2306 W. Fulkerth Rd. | Crowslanding | 95313
Number and Street | City | Zip Code

Contact Person Name and Phone Number: Rita Dellis | 209-537-9883
Name | Phone Number

Manure/Process Wastewater Hauler Information:
Name of Hauling Company/Person:

Address of Hauling Company /Person:

Number and Street | City | Zip Code

Contact Person:

Name | Phone Number

Destination Information:
Composting Facility / Broker / Farmer / Other (identify) (please circle one)

Contact information of Composting Facility, Broker, Farmer, or Other (as identified above):

Trinkler Dairy Farms | 7251 Crowslanding Rd. | Ceres | 95307 | 209-652-7510
Name | Number and Street | City | Zip Code | Phone Number

Manure/Process Wastewater Destination Address or Assessor's Parcel Number:

022-003-001
Number and Street | City | Zip Code | Assessor's Parcel Number

Dates Hauled: 3/31/23

Amount Hauled:
Enter the amount of manure hauled in tons or cubic yards (indicate the units used), the manure solids content (if amount reported in tons) or manure density (if amount reported in cubic yards), and the method used to calculate the amount:

Manure: Tons or Cubic Yards (indicate which units used)

Manure Solids Content (if amount reported in tons):

Manure Density (if amount reported in cubic yards):

Method used to determine amount of manure: _____

_____

Enter the amount of process wastewater hauled in gallons and the method used to determine the amount.

Process Wastewater: 1,554,000 Gallons

Method used to determine volume of process wastewater: PO

_____

Written Agreement:
Does the Operator have a written agreement (in compliance with Land Application Specification C.2 of Waste Discharge Requirements General Order No. R5-2007-0035) with any party that receives process wastewater from the Operator for its own use? (please check one)

X Yes _____ No

If the answer is no, the Operator agrees to have such a written agreement with any such party for any process wastewater transferred after **31 December 2007** to such party.
_____(Operator shall provide initials here to acknowledge this requirement).

Certification:
I declare under the penalty of law that I personally examined and am familiar with the information submitted in this document, and that based on my inquiry of those individuals immediately responsible for obtaining the information, I believe that the information is true, accurate, and complete. I am aware that there are significant penalties for submitting false information, including the possibility of a fine and imprisonment for knowing violations.

Operator's Signature: RITA DELLIS
RITA DELLIS (May 20, 2024 09:09 PDT) Date: May 20, 2024

Hauler's Signature: N/A Date: _____

ATTACHMENT D

Manure/Process Wastewater Tracking Manifest
For
Existing Milk Cow Dairies

Instructions:

1) Complete one manifest for each hauling event, for each destination. A hauling event may last for several days, as long as the manure is being hauled to the same destination.
2) If there are multiple destinations, **complete a separate form for each destination**.
3) The operator must obtain the signature of the hauler upon completion of each manure-hauling event.
4) The operator shall submit copies of manure/process wastewater tracking manifest(s) with the Annual Monitoring Report for Existing Milk Cow Dairies.

Operator Information:
Name of Operator: Rita Dellis

Name of Dairy Facility: Edelweiss Dairy

Facility Address: 2306 W. Fulkerth Rd. Crowslanding 95313
Number and Street City Zip Code

Contact Person Name and Phone Number: Rita Dellis 209-537-9883
Name Phone Number

Manure/Process Wastewater Hauler Information:
Name of Hauling Company/Person:

Address of Hauling Company /Person:

Number and Street City Zip Code

Contact Person:
Name Phone Number

Destination Information:
Composting Facility / Broker / Farmer / Other (identify) (please circle one)

Contact information of Composting Facility, Broker, Farmer, or Other (as identified above):

Trinkler Dairy Farms 7251 Crowslanding Rd. Ceres 95307 209-652-7510
Name Number and Street City Zip Code Phone Number

Manure/Process Wastewater Destination Address or Assessor's Parcel Number:
022-003-001

Number and Street City Zip Code Assessor's Parcel Number

Dates Hauled: 10/18/23

Amount Hauled:
Enter the amount of manure hauled in tons or cubic yards (indicate the units used), the manure solids content (if amount reported in tons) or manure density (if amount reported in cubic yards), and the method used to calculate the amount:

Manure: Tons or Cubic Yards (indicate which units used)

Manure Solids Content (if amount reported in tons):

Manure Density (if amount reported in cubic yards):

Method used to determine amount of manure: _____

_____

Enter the amount of process wastewater hauled in gallons and the method used to determine the amount.

Process Wastewater: 1,302,000 Gallons

Method used to determine volume of process wastewater: PO

_____

Written Agreement:
Does the Operator have a written agreement (in compliance with Land Application Specification C.2 of Waste Discharge Requirements General Order No. R5-2007-0035) with any party that receives process wastewater from the Operator for its own use? (please check one)

X Yes _____ No

If the answer is no, the Operator agrees to have such a written agreement with any such party for any process wastewater transferred after **31 December 2007** to such party.
_____(Operator shall provide initials here to acknowledge this requirement).

Certification:
I declare under the penalty of law that I personally examined and am familiar with the information submitted in this document, and that based on my inquiry of those individuals immediately responsible for obtaining the information, I believe that the information is true, accurate, and complete. I am aware that there are significant penalties for submitting false information, including the possibility of a fine and imprisonment for knowing violations.

Operator's Signature: RITA DELLIS
RITA DELLIS (May 20, 2024 09:09 PDT) Date: May 20, 2024

Hauler's Signature: N/A Date: _____

ATTACHMENT D

Manure/Process Wastewater Tracking Manifest
For
Existing Milk Cow Dairies

Instructions:

1) Complete one manifest for each hauling event, for each destination. A hauling event may last for several days, as long as the manure is being hauled to the same destination.
2) If there are multiple destinations, **complete a separate form for each destination**.
3) The operator must obtain the signature of the hauler upon completion of each manure-hauling event.
4) The operator shall submit copies of manure/process wastewater tracking manifest(s) with the Annual Monitoring Report for Existing Milk Cow Dairies.

Operator Information:

Name of Operator: RHA Dellis

Name of Dairy Facility: Edelweiss Dairy

Facility Address: 2306 W. Fulkerth Rd. Crowslanding 95313

Number and Street City Zip Code

Contact Person Name and Phone Number: Rita Dellis 209-537-9883

Name Phone Number

Manure/Process Wastewater Hauler Information:

Name of Hauling Company/Person:

Address of Hauling Company /Person:

Number and Street City Zip Code

Contact Person:

Name Phone Number

Destination Information:

Composting Facility / Broker / Farmer / Other (identify) (please circle one)

Contact information of Composting Facility, Broker, Farmer, or Other (as identified above):

Trinkler Dairy Farms 7251 Crowslanding Rd. Ceres 95307 209-652-7510

Name Number and Street City Zip Code Phone Number

Manure/Process Wastewater Destination Address or Assessor's Parcel Number:

022-003-007

Number and Street City Zip Code Assessor's Parcel Number

Dates Hauled: 12/8/23

Amount Hauled:

Enter the amount of manure hauled in tons or cubic yards (indicate the units used), the manure solids content (if amount reported in tons) or manure density (if amount reported in cubic yards), and the method used to calculate the amount:

Manure: Tons or Cubic Yards (indicate which units used)

Manure Solids Content (if amount reported in tons):

Manure Density (if amount reported in cubic yards):

Method used to determine amount of manure: _____

_____

Enter the amount of process wastewater hauled in gallons and the method used to determine the amount.

Process Wastewater: 1,000,000 Gallons

Method used to determine volume of process wastewater: PO

_____

Written Agreement:
Does the Operator have a written agreement (in compliance with Land Application Specification C.2 of Waste Discharge Requirements General Order No. R5-2007-0035) with any party that receives process wastewater from the Operator for its own use? (please check one)

X Yes _____ No

If the answer is no, the Operator agrees to have such a written agreement with any such party for any process wastewater transferred after **31 December 2007** to such party.
_____(Operator shall provide initials here to acknowledge this requirement).

Certification:
I declare under the penalty of law that I personally examined and am familiar with the information submitted in this document, and that based on my inquiry of those individuals immediately responsible for obtaining the information, I believe that the information is true, accurate, and complete. I am aware that there are significant penalties for submitting false information, including the possibility of a fine and imprisonment for knowing violations.

Operator's Signature: RITA DELLIS
RITA DELLIS (May 20, 2024 09:09 PDT) Date: May 20, 2024

Hauler's Signature: N/A Date: _____

Denele Analytical, Inc.

865 South Kilroy Avenue Turlock, CA 95380
Phone (209) 634-9055 - Fax (209) 634-9057

40 N. East Street, Woodland, CA 95776
Phone (530) 666-9056 - Fax (530) 666-9058

www.denelelabs.com

Compliance Analysis Report

Customer
Edelweiss Dairy
2306 W. Fulkurth Rd
Crows Landing, CA 95313

Grower

Consultant:
F & R Ag Services
2857 Geer Rd. Ste A
Turlock, CA 95382

PURCHASE ORDER:
RECEIVED DATE: 12/12/23 12:00 PM
SUBMITTED BY: KK
ANALYZED DATE: 12/13/23

Irrigation/ Ground Water (H1)
SOURCE: Well Water

NOTES: Temperature was above qualifying at 16.0c

Sample ID	Lab ID	Analyte	Method Ref	Result	Units
Pen 1	T3346023A	Electrical Conductivity (EC)	EPA 120.1 and	0.915	mmhos/cm
		Nitrate Nitrogen (NO3-N)	EPA 353.2	4.61	mg/L
		Ammonia Nitrogen (NH3-N)	SM 4500-NH3 D,C	< 0.500	mg/L
		Soluble Salts (SALT-SOL)	Calculation	586	mg/L

Laboratory Quality Control	LCS %	MS %	MSD %	RPD %
Ammonia Nitrogen (NH3-N)	93.0	98.2 (T3346022G)	100 (T3346022G)	1.81
Electrical Conductivity (EC)	99.4			0.193
Nitrate Nitrogen (NO3-N)	101	101 (T3346002D)	102 (T3346002D)	1.51

The warranty of Denele Analytical is limited to the accuracy of the analyses of the samples as received. Denele Analytical assumes no responsibility for which the customer uses our test results, nor liability for any other warranties, express or implied. These terms and conditions shall supercede any conflicting terms and conditions submitted on customer purchase orders or other forms submitted for work.

ELAP Certificate No.: 2714

Denele Analytical, Inc.

865 South Kilroy Avenue Turlock, CA 95380
Phone (209) 634-9055 - Fax (209) 634-9057

www.denelelabs.com

40 N. East Street, Woodland, CA 95776
Phone (530) 666-9056 - Fax (530) 666-9058

Compliance Analysis Report

Customer
Edelweiss Dairy
2306 W. Fulkurth Rd
Crows Landing, CA 95313

Grower

Consultant:
F & R Ag Services
2857 Geer Rd. Ste A
Turlock, CA 95382

PURCHASE ORDER:
RECEIVED DATE: 12/12/23 12:00 PM
SUBMITTED BY: KK
ANALYZED DATE: 12/13/23

Irrigation/ Ground Water (H1)
SOURCE: Well Water

NOTES: Temperature was above qualifying at 16.2c

Sample ID	Lab ID	Analyte	Method Ref	Result	Units
Milk Barn	T3346023B	Electrical Conductivity (EC)	EPA 120.1 and	0.917	mmhos/cm
		Nitrate Nitrogen (NO3-N)	EPA 353.2	4.53	mg/L
		Ammonia Nitrogen (NH3-N)	SM 4500-NH3 D,C	< 0.500	mg/L
		Soluble Salts (SALT-SOL)	Calculation	587	mg/L

Laboratory Quality Control	LCS %	MS %	MSD %	RPD %
Ammonia Nitrogen (NH3-N)	93.0	98.2 (T3346022G)	100 (T3346022G)	1.81
Electrical Conductivity (EC)	99.4			0.193
Nitrate Nitrogen (NO3-N)	102	98.4 (T3348021A)	103 (T3348021A)	4.70

The warranty of Denele Analytical is limited to the accuracy of the analyses of the samples as received. Denele Analytical assumes no responsibility for which the customer uses our test results, nor liability for any other warranties, express or implied. These terms and conditions shall supercede any conflicting terms and conditions submitted on customer purchase orders or other forms submitted for work.

ELAP Certificate No.: 2714

Denele Analytical, Inc.

865 South Kilroy Avenue Turlock, CA 95380
Phone (209) 634-9055 - Fax (209) 634-9057

40 N. East Street, Woodland, CA 95776
Phone (530) 666-9056 - Fax (530) 666-9058

www.denelelabs.com

Compliance Analysis Report

Customer
Edelweiss Dairy
2306 W. Fulkurth Rd
Crows Landing, CA 95313

Grower

Consultant:
F & R Ag Services
2857 Geer Rd. Ste A
Turlock, CA 95382

PURCHASE ORDER:
RECEIVED DATE: 12/12/23 12:00 PM
SUBMITTED BY: KK
ANALYZED DATE: 12/13/23

Irrigation/ Ground Water (H1)
SOURCE: Well Water

NOTES: Temperature was above qualifying at 15.2c

Sample ID	Lab ID	Analyte	Method Ref	Result	Units
Small Heifers	T3346023C	Electrical Conductivity (EC)	EPA 120.1 and	0.910	mmhos/cm
		Nitrate Nitrogen (NO3-N)	EPA 353.2	4.74	mg/L
		Ammonia Nitrogen (NH3-N)	SM 4500-NH3 D,C	< 0.500	mg/L
		Soluble Salts (SALT-SOL)	Calculation	582	mg/L

Laboratory Quality Control	LCS %	MS %	MSD %	RPD %
Ammonia Nitrogen (NH3-N)	93.0	98.2 (T3346022G)	100 (T3346022G)	1.81
Electrical Conductivity (EC)	99.4			0.193
Nitrate Nitrogen (NO3-N)	102	98.4 (T3348021A)	103 (T3348021A)	4.70

The warranty of Denele Analytical is limited to the accuracy of the analyses of the samples as received. Denele Analytical assumes no responsibility for which the customer uses our test results, nor liability for any other warranties, express or implied. These terms and conditions shall supercede any conflicting terms and conditions submitted on customer purchase orders or other forms submitted for work.

Denele Analytical, Inc.

865 South Kilroy Avenue Turlock, CA 95380
Phone (209) 634-9055 - Fax (209) 634-9057

40 N. East Street, Woodland, CA 95776
Phone (530) 666-9056 - Fax (530) 666-9058

www.denelelabs.com

Compliance Analysis Report

Customer
Edelweiss Dairy
2306 W. Fulkurth Rd
Crows Landing, CA 95313

Grower

Consultant:
F & R Ag Services
2857 Geer Rd. Ste A
Turlock, CA 95382

PURCHASE ORDER:
RECEIVED DATE: 12/12/23 12:00 PM
SUBMITTED BY: KK
ANALYZED DATE: 12/13/23

Irrigation/ Ground Water (H1)
SOURCE: Well Water

NOTES: Temperature was above qualifying at 15.6c

Sample ID	Lab ID	Analyte	Method Ref	Result	Units
Espindula	T3346023D	Electrical Conductivity (EC)	EPA 120.1 and	1.42	mmhos/cm
		Nitrate Nitrogen (NO3-N)	EPA 353.2	45.5	mg/L
		Ammonia Nitrogen (NH3-N)	SM 4500-NH3 D,C	< 0.500	mg/L
		Soluble Salts (SALT-SOL)	Calculation	909	mg/L

Laboratory Quality Control	LCS %	MS %	MSD %	RPD %
Ammonia Nitrogen (NH3-N)	93.0	98.2 (T3346022G)	100 (T3346022G)	1.81
Electrical Conductivity (EC)	99.4			0.193
Nitrate Nitrogen (NO3-N)	102	98.4 (T3348021A)	103 (T3348021A)	4.70

The warranty of Denele Analytical is limited to the accuracy of the analyses of the samples as received. Denele Analytical assumes no responsibility for which the customer uses our test results, nor liability for any other warranties, express or implied. These terms and conditions shall supercede any conflicting terms and conditions submitted on customer purchase orders or other forms submitted for work.

Denele Analytical, Inc.

865 South Kilroy Avenue Turlock, CA 95380
Phone (209) 634-9055 - Fax (209) 634-9057

40 N. East Street, Woodland, CA 95776
Phone (530) 666-9056 - Fax (530) 666-9058

www.denelelabs.com

Compliance Analysis Report

Customer
Edelweiss Dairy
2306 W. Fulkurth Rd
Crows Landing, CA 95313

Grower

Consultant:
F & R Ag Services
2857 Geer Rd. Ste A
Turlock, CA 95382

PURCHASE ORDER:
RECEIVED DATE: 12/12/23 12:00 PM
SUBMITTED BY: KK
ANALYZED DATE: 12/13/23

Irrigation / Ground Water (H7)
SOURCE: Irrigation Water

NOTES: Temperature was above qualifying at 14.8c

Sample ID	Lab ID	Analyte	Method Ref	Result	Units
IW #1	T3346023E	Electrical Conductivity (EC)	EPA 120.1 and	1.42	mmhos/cm
		Ammonia Nitrogen (NH3-N)	SM 4500-NH3 D,C	< 0.500	mg/L
		Nitrate Nitrogen (NO3-N)	EPA 353.2	43.7	mg/L
		Total Dissolved Solids (TDS)	SM 2540 C-1997 and	740	mg/L
		Total Nitrogen (TN)	SM 4500-NH3 D,C	46.5	mg/L
		Soluble Salts (SALT-SOL)	Calculation	906	mg/L

Laboratory Quality Control	LCS %	MS %	MSD %	Sample mg/L	Dup mg/L	RPD %
Ammonia Nitrogen (NH3-N)	93.0	98.2 (T3346022G)	100 (T3346022G)			1.81
Electrical Conductivity (EC)	99.4			5.19 (T3346017A)	5.20 (Dup)	0.193
Nitrate Nitrogen (NO3-N)	102	98.4 (T3348021A)	103 (T3348021A)			4.70
Total Dissolved Solids (TDS)	101			880 (W3346003B)	860 (Dup)	2.30
Total Nitrogen (TN)	99.1			0.000 (T3345031B)	0.000 (null)	

The warranty of Denele Analytical is limited to the accuracy of the analyses of the samples as received. Denele Analytical assumes no responsibility for which the customer uses our test results, nor liability for any other warranties, express or implied. These terms and conditions shall supercede any conflicting terms and conditions submitted on customer purchase orders or other forms submitted for work.

Denele Analytical, Inc.

865 South Kilroy Avenue Turlock, CA 95380
Phone (209) 634-9055 - Fax (209) 634-9057

40 N. East Street, Woodland, CA 95776
Phone (530) 666-9056 - Fax (530) 666-9058

www.denelelabs.com

Compliance Analysis Report

Customer
Edelweiss Dairy
2306 W. Fulkurth Rd
Crows Landing, CA 95313

Grower

Consultant:
F & R Ag Services
2857 Geer Rd. Ste A
Turlock, CA 95382

PURCHASE ORDER:
RECEIVED DATE: 12/12/23 12:00 PM
SUBMITTED BY: KK
ANALYZED DATE: 12/15/23

Process Waste Water (H3)
SOURCE: Lagoon Water

Sample ID	Lab ID	Analyte	Method Ref	Result	Units	Lbs/10000 Gal as Rec'd
WWSQ4	T3346023F	Total Dissolved Solids (TDS)	SM 2540 C-1997	9500	mg/L	792
		Total Phosphorus (TP)	EPA 200.7	59.6	mg/L	4.97
		Electrical Conductivity (EC)	EPA 120.1 and	9.57	mmhos/cm	N/A
		Ammonia Nitrogen (NH3-N)	SM 4500-NH3 C-	476	mg/L	39.7
		Total Kjeldahl Nitrogen (TKN)	SM 4500-NH3 C-	703	mg/L	58.6
		Total Potassium (TK)	EPA 200.7	1020	mg/L	85.0
		Soluble Salts (SALT-SOL)	Calculation	6130	mg/L	511

Laboratory Quality Control	LCS %	MS %	MSD %	Sample mg/L	Dup mg/L	RPD %
Ammonia Nitrogen (NH3-N)	95.2			252 (T3346018A)	244 (null)	3.39
Total Dissolved Solids (TDS)	99.1			4700 (T3352013A)	4440 (Dup)	5.69
Total Kjeldahl Nitrogen (TKN)	105			392 (T3346018A)	395 (null)	0.712
Total Phosphorus (TP)	101			29.0 (T3346011A)	24.6 (DUP)	16.4
Total Potassium (TK)	105			730 (T3346011A)	689 (DUP)	5.80

The warranty of Denele Analytical is limited to the accuracy of the analyses of the samples as received. Denele Analytical assumes no responsibility for which the customer uses our test results, nor liability for any other warranties, express or implied. These terms and conditions shall supercede any conflicting terms and conditions submitted on customer purchase orders or other forms submitted for work.

DENELE ANALYTICAL, INC.

865 S. KILROY
TURLOCK, CA 95380

PH# 209-634-9055 FAX# 209-634-9057

DAIRY COMPLIANCE

Client: Edelweiss
Mailing address:
(not facility address)
Phone#:

Authorized Copy Released To: F & R Ag Services

Sampled By: K.Jones
Project ID:

ANALYSIS TO BE COMPLETED:

IRRIGATION/GROUND WATER
- H1 EC*, NO3-N, NH4-N*
- H6 EC, TN, TDS
- H7 Combination of H1 & H6
- H14 EC, NO3-N, NH4-N, Ca, Mg, Na, Bicarb Carb, SO4, Cl, TDS

PROCESS WASTE WATER
- H3 EC*, NH4-N, TKN, TP, K, TDS
- H4 EC*, NO3-N, NH4-N, TKN, TP, K, TDS
- H5 Ca, Mg, Na, Bicarb, Carb, SO4, Cl
- H8 Combination of H3 &H5
- H9 Combination of H4 &H5

TILE DRAIN
- H2 EC*, NO3-N, TP, NH4-N*, TDS

** Required Field Measurement*

___ (Check here if performed)

DISCHARGE WATER
- E1 EC*, Temp*, pH*, NO3-N, NH4-N, TKN, TP, K, TDS, Dissolved Oxygen*, BOD 5, TSS, Total & Fecal Coliforms
- E2 EC,* Temp*, pH*, NO3-N, NH4-N*, Turbidity, TP, Dissolved Oxygen*, Total & Fecal Coliforms
- E3 EC*, Temp*, pH*, NO3-N, NH4-N*, TP, Total & Fecal Coliforms
- E4 EC*, Temp*, pH*, NO3-N, NH4-N*, Turbidity, TP, Total & Fecal Coliform

MANURE
- M1 % Moisture
- M3 TN TP, K, % Moisture
- M4 Ca, Mg, Na, Bicarb, Carb, SO4, Cl, Ash
- M7 Combination of M3 & M4

PLANT TISSUE
- F18 % Moisture, Ash, TN, P, K, DM and as received
- F18+ % Moisture, Ash, TN, P, K, DM and as received (Package also includes NIR DCAD)
- F19+ % Moisture, TN (Package includes complete plant tissue analysis)

SOIL
- K3 Soluble Phosphorus
- K4 1ft NO3, Organic Matter
- K5 Pre-Plant (2ft NO3), Fall (1-2ft NO3), Fall (2-3ft NO3)
- K6 0-1ft EC, NO3, Soluble P, K, Organic Matter
- K7 Combination of K3 & K4
- K8 Combination of K3 & K5

	Date Collected	Time Collected	Sample ID	Description	Temp	Well Purge	H1	H3	M3	F18	OTHER
1	12/12	9:20	Domestic Wells	Pen 1	16.0°c		X				
2	12/12	9:26	Domestic Wells	Milk Barn	16.2°c		X				
3	12/12	9:30	Domestic Wells	Small Heifers	15.2°c		X				
4	12/12	9:13	Domestic Wells	Espindula	15.6°c		X				
5	12/12	9:07	Irrigation Well	IW #1	14.8°c						H7
6	12/12	9:40	wastewater	MW304	17.0°c			X			
7											
8											
9											
10											

Analysis

CHAIN OF CUSTODY RECORDING

	Signature	Company	Received Date & Time	Relinquished Date & Time	Logged In By:	LABORATORY NUMBER
1st		F & R Ag Services				
2nd		DENELE ANALYTICAL, INC.	12/12/23 12:00			T3346023

(LABORATORY USE ONLY)

Required to be submitted to any agency? (YES / NO)

2023 Annual Report-Edelweiss Dairy

Final Audit Report 2024-05-20

Created:	2024-05-20
By:	Kristen Jones (kjones@fragservices.com)
Status:	Signed
Transaction ID:	CBJCHBCAABAAqKYoHS72Za66oeHduUiY_LWYjZhdYdOZ

"2023 Annual Report-Edelweiss Dairy" History

Document created by Kristen Jones (kjones@fragservices.com)
2024-05-20 - 3:25:32 PM GMT

Document emailed to dairygal@fire2wire.com for signature
2024-05-20 - 3:27:24 PM GMT

Email viewed by dairygal@fire2wire.com
2024-05-20 - 4:07:37 PM GMT

Signer dairygal@fire2wire.com entered name at signing as RITA DELLIS
2024-05-20 - 4:09:38 PM GMT

Document e-signed by RITA DELLIS (dairygal@fire2wire.com)
Signature Date: 2024-05-20 - 4:09:40 PM GMT - Time Source: server

Agreement completed.
2024-05-20 - 4:09:40 PM GMT