Annual Report - General Order No. R5-2007-0035
Reporting period 01/01/2023 to 12/31/2023.

DAIRY FACILITY INFORMATION

A. NAME OF DAIRY OR BUSINESS OPERATING THE DAIRY: Diamond O Dairy

Physical address of dairy:

2743 Baker RD	Modesto	Stanislaus	95358
Number and Street	City	County	Zip Code

Street and nearest cross street (if no address):

Date facility was originally placed in operation: 07/01/1970

Regional Water Quality Control Board Basin Plan designation: San Joaquin River Basin

County Assessor Parcel Number(s) for dairy facility:

X017-X037-X006-XXXX

B. OPERATORS

Omlin, Fred

Operator name: Omlin, Fred

Telephone no.: (209) 522-3865 (Landline) (Cellular)

2743 Baker RD	Modesto	CA	95358
Mailing Address Number and Street	City	State	Zip Code

Omlin, Rosie

Operator name: Omlin, Rosie

Telephone no.: (209) 522-3865 (Landline) (Cellular)

2743 Baker RD	Modesto	CA	95358
Mailing Address Number and Street	City	State	Zip Code

This operator is responsible for paying permit fees.

C. OWNERS

Omlin, Rosie

Legal owner name: Omlin, Rosie

Telephone no.: (209) 522-3865

Landline	Cellular
(209) 522-3865	

Mailing Address Number and Street	City	State	Zip Code
2743 Baker RD	Modesto	CA	95358

This owner is responsible for paying permit fees.

Annual Report - General Order No. R5-2007-0035
Reporting period 01/01/2023 to 12/31/2023.

AVAILABLE NUTRIENTS

A. HERD INFORMATION

	Milk Cows	Dry Cows	Bred Heifers (15-24 mo.)	Heifers (7-14 mo. to breeding)	Calves (4-6 mo.)	Calves (0-3 mo.)
Number open confinement	0	0	0	0	0	0
Number under roof	400	70	120	120	50	0
Maximum number	400	70	120	120	50	0
Average number	400	70	120	120	50	0
Avg live weight (lbs)	1,400	1,450	1,000	700		

Predominant milk cow breed: Holstein

Average milk production: 71 *pounds per cow per day*

B. MANURE GENERATED

Total manure excreted by the herd: 13,894.54 *tons per reporting period*

Total nitrogen from manure: 172,871.82 *lbs per reporting period*

After ammonia losses (30% loss applied): 121,010.27 *lbs per reporting period*

Total phosphorus from manure: 28,545.37 *lbs per reporting period*

Total potassium from manure: 76,866.49 *lbs per reporting period*

Total salt from manure: 204,436.50 *lbs per reporting period*

C. PROCESS WASTEWATER GENERATED

Process wastewater generated: 9,582,640 *gallons*

Total nitrogen generated: 45,146.23 *lbs*

Total phosphorus generated: 8,006.57 *lbs*

Total potassium generated: 81,216.97 *lbs*

Total salt generated: 509,699.48 *lbs*

	9,582,640	*gallons applied*
+	0	*gallons exported*
-	0	*gallons imported*
=	9,582,640	*gallons generated*

D. FRESH WATER SOURCES

Source Description	Type
Irrigation Well	Ground water
MID Lateral 5	Surface water

E. SUBSURFACE (TILE) DRAINAGE SOURCES

No subsurface (tile) drainage sources entered.

F. NUTRIENT IMPORTS

No dry manure nutrient imports entered.

No process wastewater nutrient imports entered.

Date	Material type / Description	Quantity	Reporting basis	Moisture (%)	N (%)	P (%)	K (%)	Salt (%)
03/02/2023	Solid commercial fertilizer *CAN17*	25.95 *ton*	Dry-weight	0.1	17.000000	0.000000	0.000000	0.000000
05/28/2023	Solid commercial fertilizer *4-10-10*	5.30 *ton*	Dry-weight	0.1	4.000000	0.000000	0.000000	0.000000
05/28/2023	Solid commercial fertilizer *Ammonium Sufate*	8.03 *ton*	Dry-weight	0.1	21.000000	0.000000	0.000000	0.000000
06/24/2023	Solid commercial fertilizer *UN32*	3.97 *ton*	Dry-weight	0.1	32.000000	0.000000	0.000000	0.000000
08/23/2023	Solid commercial fertilizer *Triple 15*	3.36 *ton*	Dry-weight	0.1	15.000000	15.000000	15.000000	0.000000

Material type	Total N (lbs)	Total P (lbs)	Total K (lbs)	Total salt (lbs)
Commercial fertilizer / Other	16,152.23	1,006.99	1,006.99	0.00
Dry manure	0.00	0.00	0.00	0.00
Process wastewater	0.00	0.00	0.00	0.00
Total imports for all materials	16,152.23	1,006.99	1,006.99	0.00

G. NUTRIENT EXPORTS

Date	Material type	Quantity	Reporting basis	Moisture (%)	Density (lbs/cu ft)	N (mg/kg)	P (mg/kg)	K (mg/kg)	Salt (mg/kg)	TFS (%)
11/01/2023	Corral solids	240.00 *ton*	Dry-weight	5.7		12,600.00	781.00	24,800.00		47.00
11/05/2023	Corral solids	280.00 *ton*	Dry-weight	5.7		12,600.00	781.00	24,800.00		47.00
11/05/2023	Corral solids	200.00 *ton*	Dry-weight	5.7		12,600.00	781.00	24,800.00		47.00

No liquid nutrient exports entered.

Material type	Total N (lbs)	Total P (lbs)	Total K (lbs)	Total salt (lbs)
Dry manure	17,109.79	1,060.54	33,676.42	638,222.40
Process wastewater	0.00	0.00	0.00	0.00
Total exports for all materials	17,109.79	1,060.54	33,676.42	638,222.40

APPLICATION AREA

A. LIST OF LAND APPLICATION AREAS

Field name	Controlled acres	Cropable acres	Total harvests	Type of waste applied	Parcel number
Field 1	40	40	2	process wastewater	X017-X037-X006-XXXX
Field 10	9	9	1	none	X017-X037-X019-XXXX
Field 11	6	6	1	none	X017-X037-X020-XXXX
Field 12	19	19	1	none	X007-X042-X004-XXXX
Field 2	39	39	2	process wastewater	X017-X037-X006-XXXX
Field 3	40	40	1	process wastewater	X017-X037-X027-XXXX
Field 6	26	26	1	manure	X017-X037-X020-XXXX
Field 7	28	28	1	manure	X017-X037-X020-XXXX
Field 8	35	35	1	manure	X017-X037-X020-XXXX
Honeycutt	18	18	2	manure	X017-X037-X024-XXXX X017-X037-X025-XXXX
Totals for areas that were used for application	226	226	10		
Totals for areas that were not used for application	34	34	3		
Land application area totals	260	260	13		

B. CROPS AND HARVESTS

Field 1

Field name: Field 1

10/31/2022: Oats, silage-soft dough

Crop: Oats, silage-soft dough Acres planted: 40 Plant date: 10/31/2022

Harvest date	Yield	Reporting basis	Density (lbs/cu ft)	Moisture (%)	N (mg/kg)	P (mg/kg)	K (mg/kg)	Salt (mg/kg)	TFS (%)
05/13/2023	666.68 *ton*	As-is		69.8	6,310.00	1,060.00	8,880.00		10.90

	Yield (tons/acre)	Total N (lbs/acre)	Total P (lbs/acre)	Total K (lbs/acre)	Salt (lbs/acre)
Anticipated harvest content	16.00	160.00	25.60	132.80	0.00
Total actual harvest content	16.67	210.34	35.33	296.01	1,097.29

Field 1

06/10/2023: Corn, silage

Crop: Corn, silage Acres planted: 40 Plant date: 06/10/2023

Harvest date	Yield	Reporting basis	Density (lbs/cu ft)	Moisture (%)	N (mg/kg)	P (mg/kg)	K (mg/kg)	Salt (mg/kg)	TFS (%)
10/03/2023	964.53 *ton*	As-is		64.4	4,520.00	980.00	5,790.00		6.30

	Yield (tons/acre)	Total N (lbs/acre)	Total P (lbs/acre)	Total K (lbs/acre)	Salt (lbs/acre)
Anticipated harvest content	30.00	240.00	45.00	198.00	0.00
Total actual harvest content	24.11	217.98	47.26	279.23	1,081.62

Field 10

Field name: Field 10

01/25/2022: Almond, in shell

Crop: Almond, in shell Acres planted: 9 Plant date: 01/25/2022

Harvest date	Yield	Reporting basis	Density (lbs/cu ft)	Moisture (%)	N (mg/kg)	P (mg/kg)	K (mg/kg)	Salt (mg/kg)	TFS (%)
12/31/2023	0.01 *ton*	As-is		0.1	0.00	0.00	0.00		0.00

	Yield (tons/acre)	Total N (lbs/acre)	Total P (lbs/acre)	Total K (lbs/acre)	Salt (lbs/acre)
Anticipated harvest content	4.50	193.50	32.85	209.25	0.00
Total actual harvest content	0.00	0.00	0.00	0.00	0.00

Field 11

Field name: Field 11

Field 11

01/25/2022: Almond, in shell

Crop: Almond, in shell Acres planted: 6 Plant date: 01/25/2022

Harvest date	Yield	Reporting basis	Density (lbs/cu ft)	Moisture (%)	N (mg/kg)	P (mg/kg)	K (mg/kg)	Salt (mg/kg)	TFS (%)
12/31/2023	0.01 *ton*	As-is		0.1	0.00	0.00	0.00		0.00

	Yield (tons/acre)	Total N (lbs/acre)	Total P (lbs/acre)	Total K (lbs/acre)	Salt (lbs/acre)
Anticipated harvest content	4.50	193.50	32.85	209.25	0.00
Total actual harvest content	0.00	0.00	0.00	0.00	0.00

Field 12

Field name: Field 12

01/28/2010: Almond, in shell

Crop: Almond, in shell Acres planted: 19 Plant date: 01/28/2010

Harvest date	Yield	Reporting basis	Density (lbs/cu ft)	Moisture (%)	N (mg/kg)	P (mg/kg)	K (mg/kg)	Salt (mg/kg)	TFS (%)
09/22/2023	97.70 *ton*	As-is		13.5	17,200.00	1,330.00	15,100.00		7.70

	Yield (tons/acre)	Total N (lbs/acre)	Total P (lbs/acre)	Total K (lbs/acre)	Salt (lbs/acre)
Anticipated harvest content	5.00	215.00	36.50	232.50	0.00
Total actual harvest content	5.14	176.89	13.68	155.29	684.98

Field 2

Field name: Field 2

Field 2

10/31/2022: Oats, silage-soft dough

Crop: Oats, silage-soft dough Acres planted: 39 Plant date: 10/31/2022

Harvest date	Yield	Reporting basis	Density (lbs/cu ft)	Moisture (%)	N (mg/kg)	P (mg/kg)	K (mg/kg)	Salt (mg/kg)	TFS (%)
05/13/2023	650.01 *ton*	As-is		66.2	6,520.00	1,010.00	7,890.00		10.30

	Yield (tons/acre)	Total N (lbs/acre)	Total P (lbs/acre)	Total K (lbs/acre)	Salt (lbs/acre)
Anticipated harvest content	16.00	160.00	25.60	132.80	0.00
Total actual harvest content	16.67	217.34	33.67	263.00	1,160.48

06/10/2023: Corn, silage

Crop: Corn, silage Acres planted: 39 Plant date: 06/10/2023

Harvest date	Yield	Reporting basis	Density (lbs/cu ft)	Moisture (%)	N (mg/kg)	P (mg/kg)	K (mg/kg)	Salt (mg/kg)	TFS (%)
10/03/2023	940.41 *ton*	As-is		66.2	4,090.00	920.00	6,090.00		0.80

	Yield (tons/acre)	Total N (lbs/acre)	Total P (lbs/acre)	Total K (lbs/acre)	Salt (lbs/acre)
Anticipated harvest content	30.00	240.00	45.00	198.00	0.00
Total actual harvest content	24.11	197.24	44.37	293.70	130.40

Field 3

Field name: Field 3

02/05/2014: Almond, in shell

Crop: Almond, in shell Acres planted: 40 Plant date: 02/05/2014

Harvest date	Yield	Reporting basis	Density (lbs/cu ft)	Moisture (%)	N (mg/kg)	P (mg/kg)	K (mg/kg)	Salt (mg/kg)	TFS (%)
09/18/2023	256.10 *ton*	As-is		15.8	9,260.00	1,090.00	27,300.00		16.40

	Yield (tons/acre)	Total N (lbs/acre)	Total P (lbs/acre)	Total K (lbs/acre)	Salt (lbs/acre)
Anticipated harvest content	5.00	215.00	36.50	232.50	0.00
Total actual harvest content	6.40	118.57	13.96	349.58	1,768.22

Field 6

Field name: Field 6

02/03/2006: Almond, in shell

Crop: Almond, in shell Acres planted: 26 Plant date: 02/03/2006

Harvest date	Yield	Reporting basis	Density (lbs/cu ft)	Moisture (%)	N (mg/kg)	P (mg/kg)	K (mg/kg)	Salt (mg/kg)	TFS (%)
09/20/2023	133.20 *ton*	As-is		13.5	17,200.00	1,330.00	15,100.00		7.70

	Yield (tons/acre)	Total N (lbs/acre)	Total P (lbs/acre)	Total K (lbs/acre)	Salt (lbs/acre)
Anticipated harvest content	5.00	215.00	36.50	232.50	0.00
Total actual harvest content	5.12	176.23	13.63	154.72	682.45

Field 7

Field name: Field 7

02/03/2006: Almond, in shell

Crop: Almond, in shell Acres planted: 28 Plant date: 02/03/2006

Harvest date	Yield	Reporting basis	Density (lbs/cu ft)	Moisture (%)	N (mg/kg)	P (mg/kg)	K (mg/kg)	Salt (mg/kg)	TFS (%)
09/20/2023	141.30 *ton*	As-is		13.5	17,200.00	1,330.00	15,100.00		7.70

	Yield (tons/acre)	Total N (lbs/acre)	Total P (lbs/acre)	Total K (lbs/acre)	Salt (lbs/acre)
Anticipated harvest content	5.00	215.00	36.50	232.50	0.00
Total actual harvest content	5.05	173.60	13.42	152.40	672.23

Field 8

Field name: Field 8

Field 8

05/28/2023: Corn, silage

Crop: Corn, silage Acres planted: 35 Plant date: 05/28/2023

Harvest date	Yield	Reporting basis	Density (lbs/cu ft)	Moisture (%)	N (mg/kg)	P (mg/kg)	K (mg/kg)	Salt (mg/kg)	TFS (%)
09/19/2023	1,035.63 *ton*	As-is		70.0	3,390.00	470.00	2,970.00		5.40

	Yield (tons/acre)	Total N (lbs/acre)	Total P (lbs/acre)	Total K (lbs/acre)	Salt (lbs/acre)
Anticipated harvest content	30.00	240.00	45.00	198.00	0.00
Total actual harvest content	29.59	200.62	27.81	175.76	958.70

Honeycutt

Field name: Honeycutt

11/01/2022: Oats, silage-soft dough

Crop: Oats, silage-soft dough Acres planted: 18 Plant date: 11/01/2022

Harvest date	Yield	Reporting basis	Density (lbs/cu ft)	Moisture (%)	N (mg/kg)	P (mg/kg)	K (mg/kg)	Salt (mg/kg)	TFS (%)
05/13/2023	121.67 *ton*	As-is		62.2	5,410.00	880.00	6,040.00		7.76

	Yield (tons/acre)	Total N (lbs/acre)	Total P (lbs/acre)	Total K (lbs/acre)	Salt (lbs/acre)
Anticipated harvest content	16.00	160.00	25.60	132.80	0.00
Total actual harvest content	6.76	73.14	11.90	81.65	396.55

06/10/2023: Corn, silage

Crop: Corn, silage Acres planted: 18 Plant date: 06/10/2023

Harvest date	Yield	Reporting basis	Density (lbs/cu ft)	Moisture (%)	N (mg/kg)	P (mg/kg)	K (mg/kg)	Salt (mg/kg)	TFS (%)
10/03/2023	550.35 *ton*	As-is		69.4	2,880.00	640.00	3,950.00		8.80

	Yield (tons/acre)	Total N (lbs/acre)	Total P (lbs/acre)	Total K (lbs/acre)	Salt (lbs/acre)
Anticipated harvest content	30.00	240.00	45.00	198.00	0.00
Total actual harvest content	30.58	176.11	39.14	241.54	1,646.65

NUTRIENT BUDGET

A. LAND APPLICATIONS

Field 1 - 10/31/2022: Oats, silage-soft dough

Field name: Field 1

Crop: Oats, silage-soft dough — Plant date: 10/31/2022

Application date	Application method	Precipitation 24 hours prior	Precipitation during application	Precipitation 24 hours following
09/14/2022	Surface (irrigation)	No precipitation	No precipitation	No precipitation

Source description	Material type	N (lbs/acre)	P (lbs/acre)	K (lbs/acre)	Salt (lbs/acre)	Amount
Slurry	Process wastewater sludge	86.73	34.41	124.15	919.62	760,000.00 *gal*
Application event totals		86.73	34.41	124.15	919.62	

Application date	Application method	Precipitation 24 hours prior	Precipitation during application	Precipitation 24 hours following
10/08/2022	Surface (irrigation)	No precipitation	No precipitation	No precipitation

Source description	Material type	N (lbs/acre)	P (lbs/acre)	K (lbs/acre)	Salt (lbs/acre)	Amount
MID Lateral 5	Surface water	0.00	0.00	0.00	84.49	5,062,500.00 *gal*
Application event totals		0.00	0.00	0.00	84.49	

Application date	Application method	Precipitation 24 hours prior	Precipitation during application	Precipitation 24 hours following
01/16/2023	Surface (irrigation)	No precipitation	No precipitation	No precipitation

Source description	Material type	N (lbs/acre)	P (lbs/acre)	K (lbs/acre)	Salt (lbs/acre)	Amount
WWS	Process wastewater	88.19	15.95	200.10	956.24	848,800.00 *gal*
Application event totals		88.19	15.95	200.10	956.24	

Application date	Application method	Precipitation 24 hours prior	Precipitation during application	Precipitation 24 hours following
03/18/2023	Surface (irrigation)	No precipitation	No precipitation	No precipitation

Source description	Material type	N (lbs/acre)	P (lbs/acre)	K (lbs/acre)	Salt (lbs/acre)	Amount
WWS	Process wastewater	82.04	14.84	186.15	889.54	789,600.00 *gal*
Application event totals		82.04	14.84	186.15	889.54	

Field 1 - 06/10/2023: Corn, silage

Field name: Field 1

Crop: Corn, silage — Plant date: 06/10/2023

Application date	Application method	Precipitation 24 hours prior	Precipitation during application	Precipitation 24 hours following

Field 1 - 06/10/2023: Corn, silage

Application date	Application method	Precipitation 24 hours prior	Precipitation during application	Precipitation 24 hours following
05/27/2023	Surface (irrigation)	No precipitation	No precipitation	No precipitation

Source description	Material type	N (lbs/acre)	P (lbs/acre)	K (lbs/acre)	Salt (lbs/acre)	Amount
WWS	Process wastewater	94.76	10.10	154.15	1,112.30	724,400.00 *gal*
MID Lateral 5	Surface water	0.00	0.00	0.00	35.95	4,657,500.00 *gal*
Application event totals		94.76	10.10	154.15	1,148.25	

Application date	Application method	Precipitation 24 hours prior	Precipitation during application	Precipitation 24 hours following
07/05/2023	Surface (irrigation)	No precipitation	No precipitation	No precipitation

Source description	Material type	N (lbs/acre)	P (lbs/acre)	K (lbs/acre)	Salt (lbs/acre)	Amount
MID Lateral 5	Surface water	0.00	0.00	0.00	40.64	5,265,000.00 *gal*
Application event totals		0.00	0.00	0.00	40.64	

Application date	Application method	Precipitation 24 hours prior	Precipitation during application	Precipitation 24 hours following
07/19/2023	Surface (irrigation)	No precipitation	No precipitation	No precipitation

Source description	Material type	N (lbs/acre)	P (lbs/acre)	K (lbs/acre)	Salt (lbs/acre)	Amount
WWS	Process wastewater	85.76	9.14	139.51	1,006.66	655,600.00 *gal*
MID Lateral 5	Surface water	0.00	0.00	0.00	32.83	4,252,500.00 *gal*
Application event totals		85.76	9.14	139.51	1,039.49	

Application date	Application method	Precipitation 24 hours prior	Precipitation during application	Precipitation 24 hours following
08/02/2023	Surface (irrigation)	No precipitation	No precipitation	No precipitation

Source description	Material type	N (lbs/acre)	P (lbs/acre)	K (lbs/acre)	Salt (lbs/acre)	Amount
MID Lateral 5	Surface water	0.00	0.00	0.00	40.64	5,265,000.00 *gal*
Application event totals		0.00	0.00	0.00	40.64	

Application date	Application method	Precipitation 24 hours prior	Precipitation during application	Precipitation 24 hours following
08/17/2023	Surface (irrigation)	No precipitation	No precipitation	No precipitation

Source description	Material type	N (lbs/acre)	P (lbs/acre)	K (lbs/acre)	Salt (lbs/acre)	Amount
WWS	Process wastewater	69.07	7.36	112.36	810.73	528,000.00 *gal*
MID Lateral 5	Surface water	0.00	0.00	0.00	34.39	4,455,000.00 *gal*
Application event totals		69.07	7.36	112.36	845.12	

Field 1 - 06/10/2023: Corn, silage

Application date	Application method	Precipitation 24 hours prior	Precipitation during application	Precipitation 24 hours following
09/01/2023	Surface (irrigation)	No precipitation	No precipitation	No precipitation

Source description	Material type	N (lbs/acre)	P (lbs/acre)	K (lbs/acre)	Salt (lbs/acre)	Amount
MID Lateral 5	Surface water	0.00	0.00	0.00	39.08	5,062,500.00 *gal*
Application event totals		0.00	0.00	0.00	39.08	

Application date	Application method	Precipitation 24 hours prior	Precipitation during application	Precipitation 24 hours following
09/14/2023	Surface (irrigation)	No precipitation	No precipitation	No precipitation

Source description	Material type	N (lbs/acre)	P (lbs/acre)	K (lbs/acre)	Salt (lbs/acre)	Amount
MID Lateral 5	Surface water	0.00	0.00	0.00	39.08	5,062,500.00 *gal*
Application event totals		0.00	0.00	0.00	39.08	

Field 10 - 01/25/2022: Almond, in shell

Field name: Field 10

Crop: Almond, in shell

Plant date: 01/25/2022

Application date	Application method	Precipitation 24 hours prior	Precipitation during application	Precipitation 24 hours following
04/07/2023	Surface (irrigation)	No precipitation	No precipitation	No precipitation

Source description	Material type	N (lbs/acre)	P (lbs/acre)	K (lbs/acre)	Salt (lbs/acre)	Amount
MID Lateral 5	Surface water	0.00	0.00	0.00	26.92	784,800.00 *gal*
Application event totals		0.00	0.00	0.00	26.92	

Application date	Application method	Precipitation 24 hours prior	Precipitation during application	Precipitation 24 hours following
04/05/2023	Sidedress	No precipitation	No precipitation	No precipitation

Source description	Material type	N (lbs/acre)	P (lbs/acre)	K (lbs/acre)	Salt (lbs/acre)	Amount
Triple 15	Solid commercial fertilizer	12.00	12.00	12.00	0.00	
Application event totals		12.00	12.00	12.00	0.00	

Application date	Application method	Precipitation 24 hours prior	Precipitation during application	Precipitation 24 hours following
04/28/2023	Surface (irrigation)	No precipitation	No precipitation	No precipitation

Source description	Material type	N (lbs/acre)	P (lbs/acre)	K (lbs/acre)	Salt (lbs/acre)	Amount
MID Lateral 5	Surface water	0.00	0.00	0.00	26.92	784,800.00 *gal*
Application event totals		0.00	0.00	0.00	26.92	

Field 10 - 01/25/2022: Almond, in shell

Application date	Application method	Precipitation 24 hours prior	Precipitation during application	Precipitation 24 hours following
05/18/2023	Surface (irrigation)	No precipitation	No precipitation	No precipitation

Source description	Material type	N (lbs/acre)	P (lbs/acre)	K (lbs/acre)	Salt (lbs/acre)	Amount
MID Lateral 5	Surface water	0.00	0.00	0.00	26.92	784,800.00 *gal*
Application event totals		0.00	0.00	0.00	26.92	

06/01/2023	Surface (irrigation)	No precipitation	No precipitation	No precipitation

Source description	Material type	N (lbs/acre)	P (lbs/acre)	K (lbs/acre)	Salt (lbs/acre)	Amount
MID Lateral 5	Surface water	0.00	0.00	0.00	26.92	784,800.00 *gal*
Application event totals		0.00	0.00	0.00	26.92	

05/30/2023	Sidedress	No precipitation	No precipitation	No precipitation

Source description	Material type	N (lbs/acre)	P (lbs/acre)	K (lbs/acre)	Salt (lbs/acre)	Amount
Triple 15	Solid commercial fertilizer	12.00	12.00	12.00	0.00	
Application event totals		12.00	12.00	12.00	0.00	

06/15/2023	Surface (irrigation)	No precipitation	No precipitation	No precipitation

Source description	Material type	N (lbs/acre)	P (lbs/acre)	K (lbs/acre)	Salt (lbs/acre)	Amount
MID Lateral 5	Surface water	0.00	0.00	0.00	27.33	796,500.00 *gal*
Application event totals		0.00	0.00	0.00	27.33	

06/29/2023	Surface (irrigation)	No precipitation	No precipitation	No precipitation

Source description	Material type	N (lbs/acre)	P (lbs/acre)	K (lbs/acre)	Salt (lbs/acre)	Amount
MID Lateral 5	Surface water	0.00	0.00	0.00	27.33	796,500.00 *gal*
Application event totals		0.00	0.00	0.00	27.33	

07/13/2023	Surface (irrigation)	No precipitation	No precipitation	No precipitation

Source description	Material type	N (lbs/acre)	P (lbs/acre)	K (lbs/acre)	Salt (lbs/acre)	Amount
MID Lateral 5	Surface water	0.00	0.00	0.00	2.73	79,500.00 *gal*
Application event totals		0.00	0.00	0.00	2.73	

Field 10 - 01/25/2022: Almond, in shell

Application date	Application method	Precipitation 24 hours prior	Precipitation during application	Precipitation 24 hours following
07/12/2023	Sidedress	No precipitation	No precipitation	No precipitation

Source description	Material type	N (lbs/acre)	P (lbs/acre)	K (lbs/acre)	Salt (lbs/acre)	Amount
Triple 15	Solid commercial fertilizer	12.00	12.00	12.00	0.00	
Application event totals		12.00	12.00	12.00	0.00	

07/27/2023	Surface (irrigation)	No precipitation	No precipitation	No precipitation

Source description	Material type	N (lbs/acre)	P (lbs/acre)	K (lbs/acre)	Salt (lbs/acre)	Amount
MID Lateral 5	Surface water	0.00	0.00	0.00	27.33	796,500.00 *gal*
Application event totals		0.00	0.00	0.00	27.33	

08/10/2023	Surface (irrigation)	No precipitation	No precipitation	No precipitation

Source description	Material type	N (lbs/acre)	P (lbs/acre)	K (lbs/acre)	Salt (lbs/acre)	Amount
MID Lateral 5	Surface water	0.00	0.00	0.00	27.33	796,500.00 *gal*
Application event totals		0.00	0.00	0.00	27.33	

08/24/2023	Surface (irrigation)	No precipitation	No precipitation	No precipitation

Source description	Material type	N (lbs/acre)	P (lbs/acre)	K (lbs/acre)	Salt (lbs/acre)	Amount
MID Lateral 5	Surface water	0.00	0.00	0.00	27.33	796,500.00 *gal*
Application event totals		0.00	0.00	0.00	27.33	

08/23/2023	Sidedress	No precipitation	No precipitation	No precipitation

Source description	Material type	N (lbs/acre)	P (lbs/acre)	K (lbs/acre)	Salt (lbs/acre)	Amount
Triple 15	Solid commercial fertilizer	12.00	12.00	12.00	0.00	
Application event totals		12.00	12.00	12.00	0.00	

09/07/2023	Surface (irrigation)	No precipitation	No precipitation	No precipitation

Source description	Material type	N (lbs/acre)	P (lbs/acre)	K (lbs/acre)	Salt (lbs/acre)	Amount
MID Lateral 5	Surface water	0.00	0.00	0.00	27.33	796,500.00 *gal*
Application event totals		0.00	0.00	0.00	27.33	

Field 10 - 01/25/2022: Almond, in shell

Application date	Application method	Precipitation 24 hours prior	Precipitation during application	Precipitation 24 hours following
09/21/2023	Surface (irrigation)	No precipitation	No precipitation	No precipitation

Source description	Material type	N (lbs/acre)	P (lbs/acre)	K (lbs/acre)	Salt (lbs/acre)	Amount
MID Lateral 5	Surface water	0.00	0.00	0.00	27.33	796,500.00 *gal*
Application event totals		0.00	0.00	0.00	27.33	

Application date	Application method	Precipitation 24 hours prior	Precipitation during application	Precipitation 24 hours following
10/04/2023	Surface (irrigation)	No precipitation	No precipitation	No precipitation

Source description	Material type	N (lbs/acre)	P (lbs/acre)	K (lbs/acre)	Salt (lbs/acre)	Amount
MID Lateral 5	Surface water	0.00	0.00	0.00	27.33	796,500.00 *gal*
Application event totals		0.00	0.00	0.00	27.33	

Field 11 - 01/25/2022: Almond, in shell

Field name: Field 11

Crop: Almond, in shell

Plant date: 01/25/2022

Application date	Application method	Precipitation 24 hours prior	Precipitation during application	Precipitation 24 hours following
04/07/2023	Surface (irrigation)	No precipitation	No precipitation	No precipitation

Source description	Material type	N (lbs/acre)	P (lbs/acre)	K (lbs/acre)	Salt (lbs/acre)	Amount
MID Lateral 5	Surface water	0.00	0.00	0.00	26.92	523,200.00 *gal*
Application event totals		0.00	0.00	0.00	26.92	

Application date	Application method	Precipitation 24 hours prior	Precipitation during application	Precipitation 24 hours following
04/05/2023	Sidedress	No precipitation	No precipitation	No precipitation

Source description	Material type	N (lbs/acre)	P (lbs/acre)	K (lbs/acre)	Salt (lbs/acre)	Amount
Triple 15	Solid commercial fertilizer	12.00	12.00	12.00	0.00	
Application event totals		12.00	12.00	12.00	0.00	

Application date	Application method	Precipitation 24 hours prior	Precipitation during application	Precipitation 24 hours following
04/28/2023	Surface (irrigation)	No precipitation	No precipitation	No precipitation

Source description	Material type	N (lbs/acre)	P (lbs/acre)	K (lbs/acre)	Salt (lbs/acre)	Amount
MID Lateral 5	Surface water	0.00	0.00	0.00	26.92	523,200.00 *gal*
Application event totals		0.00	0.00	0.00	26.92	

Field 11 - 01/25/2022: Almond, in shell

Application date	Application method	Precipitation 24 hours prior	Precipitation during application	Precipitation 24 hours following
05/18/2023	Surface (irrigation)	No precipitation	No precipitation	No precipitation

Source description	Material type	N (lbs/acre)	P (lbs/acre)	K (lbs/acre)	Salt (lbs/acre)	Amount
MID Lateral 5	Surface water	0.00	0.00	0.00	26.92	523,200.00 *gal*
Application event totals		0.00	0.00	0.00	26.92	

Application date	Application method	Precipitation 24 hours prior	Precipitation during application	Precipitation 24 hours following
06/01/2023	Surface (irrigation)	No precipitation	No precipitation	No precipitation

Source description	Material type	N (lbs/acre)	P (lbs/acre)	K (lbs/acre)	Salt (lbs/acre)	Amount
MID Lateral 5	Surface water	0.00	0.00	0.00	26.92	523,200.00 *gal*
Application event totals		0.00	0.00	0.00	26.92	

Application date	Application method	Precipitation 24 hours prior	Precipitation during application	Precipitation 24 hours following
05/30/2023	Sidedress	No precipitation	No precipitation	No precipitation

Source description	Material type	N (lbs/acre)	P (lbs/acre)	K (lbs/acre)	Salt (lbs/acre)	Amount
Triple 15	Solid commercial fertilizer	12.00	12.00	12.00	0.00	
Application event totals		12.00	12.00	12.00	0.00	

Application date	Application method	Precipitation 24 hours prior	Precipitation during application	Precipitation 24 hours following
06/15/2023	Surface (irrigation)	No precipitation	No precipitation	No precipitation

Source description	Material type	N (lbs/acre)	P (lbs/acre)	K (lbs/acre)	Salt (lbs/acre)	Amount
MID Lateral 5	Surface water	0.00	0.00	0.00	27.33	531,000.00 *gal*
Application event totals		0.00	0.00	0.00	27.33	

Application date	Application method	Precipitation 24 hours prior	Precipitation during application	Precipitation 24 hours following
06/29/2023	Surface (irrigation)	No precipitation	No precipitation	No precipitation

Source description	Material type	N (lbs/acre)	P (lbs/acre)	K (lbs/acre)	Salt (lbs/acre)	Amount
MID Lateral 5	Surface water	0.00	0.00	0.00	27.33	531,000.00 *gal*
Application event totals		0.00	0.00	0.00	27.33	

Application date	Application method	Precipitation 24 hours prior	Precipitation during application	Precipitation 24 hours following
07/13/2023	Surface (irrigation)	No precipitation	No precipitation	No precipitation

Source description	Material type	N (lbs/acre)	P (lbs/acre)	K (lbs/acre)	Salt (lbs/acre)	Amount
MID Lateral 5	Surface water	0.00	0.00	0.00	27.33	531,000.00 *gal*
Application event totals		0.00	0.00	0.00	27.33	

Field 11 - 01/25/2022: Almond, in shell

Application date	Application method	Precipitation 24 hours prior	Precipitation during application	Precipitation 24 hours following
07/12/2023	Sidedress	No precipitation	No precipitation	No precipitation

Source description	Material type	N (lbs/acre)	P (lbs/acre)	K (lbs/acre)	Salt (lbs/acre)	Amount
Triple 15	Solid commercial fertilizer	12.00	12.00	12.00	0.00	
Application event totals		12.00	12.00	12.00	0.00	

07/27/2023	Surface (irrigation)	No precipitation	No precipitation	No precipitation

Source description	Material type	N (lbs/acre)	P (lbs/acre)	K (lbs/acre)	Salt (lbs/acre)	Amount
MID Lateral 5	Surface water	0.00	0.00	0.00	27.33	531,000.00 *gal*
Application event totals		0.00	0.00	0.00	27.33	

08/10/2023	Surface (irrigation)	No precipitation	No precipitation	No precipitation

Source description	Material type	N (lbs/acre)	P (lbs/acre)	K (lbs/acre)	Salt (lbs/acre)	Amount
MID Lateral 5	Surface water	0.00	0.00	0.00	27.33	531,000.00 *gal*
Application event totals		0.00	0.00	0.00	27.33	

08/24/2023	Surface (irrigation)	No precipitation	No precipitation	No precipitation

Source description	Material type	N (lbs/acre)	P (lbs/acre)	K (lbs/acre)	Salt (lbs/acre)	Amount
MID Lateral 5	Surface water	0.00	0.00	0.00	27.33	531,000.00 *gal*
Application event totals		0.00	0.00	0.00	27.33	

08/23/2023	Sidedress	No precipitation	No precipitation	No precipitation

Source description	Material type	N (lbs/acre)	P (lbs/acre)	K (lbs/acre)	Salt (lbs/acre)	Amount
Triple 15	Solid commercial fertilizer	12.00	12.00	12.00	0.00	
Application event totals		12.00	12.00	12.00	0.00	

09/07/2023	Surface (irrigation)	No precipitation	No precipitation	No precipitation

Source description	Material type	N (lbs/acre)	P (lbs/acre)	K (lbs/acre)	Salt (lbs/acre)	Amount
MID Lateral 5	Surface water	0.00	0.00	0.00	27.33	531,000.00 *gal*
Application event totals		0.00	0.00	0.00	27.33	

Field 11 - 01/25/2022: Almond, in shell

Application date	Application method	Precipitation 24 hours prior	Precipitation during application	Precipitation 24 hours following
09/21/2023	Surface (irrigation)	No precipitation	No precipitation	No precipitation

Source description	Material type	N (lbs/acre)	P (lbs/acre)	K (lbs/acre)	Salt (lbs/acre)	Amount
MID Lateral 5	Surface water	0.00	0.00	0.00	27.33	531,000.00 *gal*
Application event totals		0.00	0.00	0.00	27.33	

Application date	Application method	Precipitation 24 hours prior	Precipitation during application	Precipitation 24 hours following
10/04/2023	Surface (irrigation)	No precipitation	No precipitation	No precipitation

Source description	Material type	N (lbs/acre)	P (lbs/acre)	K (lbs/acre)	Salt (lbs/acre)	Amount
MID Lateral 5	Surface water	0.00	0.00	0.00	27.33	531,000.00 *gal*
Application event totals		0.00	0.00	0.00	27.33	

Field 12 - 01/28/2010: Almond, in shell

Field name: Field 12

Crop: Almond, in shell

Plant date: 01/28/2010

Application date	Application method	Precipitation 24 hours prior	Precipitation during application	Precipitation 24 hours following
09/17/2022	Surface (irrigation)	No precipitation	No precipitation	No precipitation

Source description	Material type	N (lbs/acre)	P (lbs/acre)	K (lbs/acre)	Salt (lbs/acre)	Amount
MID Lateral 5	Surface water	0.00	0.00	0.00	34.55	2,126,250.00 *gal*
Application event totals		0.00	0.00	0.00	34.55	

Application date	Application method	Precipitation 24 hours prior	Precipitation during application	Precipitation 24 hours following
10/09/2022	Surface (irrigation)	No precipitation	No precipitation	No precipitation

Source description	Material type	N (lbs/acre)	P (lbs/acre)	K (lbs/acre)	Salt (lbs/acre)	Amount
MID Lateral 5	Surface water	0.00	0.00	0.00	32.91	2,025,000.00 *gal*
Application event totals		0.00	0.00	0.00	32.91	

Application date	Application method	Precipitation 24 hours prior	Precipitation during application	Precipitation 24 hours following
11/15/2022	Sidedress	No precipitation	No precipitation	No precipitation

Source description	Material type	N (lbs/acre)	P (lbs/acre)	K (lbs/acre)	Salt (lbs/acre)	Amount
CAN17	Solid commercial fertilizer	42.50	0.00	0.00	0.00	
Application event totals		42.50	0.00	0.00	0.00	

Field 12 - 01/28/2010: Almond, in shell

Application date	Application method	Precipitation 24 hours prior	Precipitation during application	Precipitation 24 hours following
03/02/2023	Sidedress	No precipitation	No precipitation	No precipitation

Source description	Material type	N (lbs/acre)	P (lbs/acre)	K (lbs/acre)	Salt (lbs/acre)	Amount
CAN17	Solid commercial fertilizer	46.75	0.00	0.00	0.00	
Application event totals		46.75	0.00	0.00	0.00	

04/08/2023	Sidedress	No precipitation	No precipitation	No precipitation

Source description	Material type	N (lbs/acre)	P (lbs/acre)	K (lbs/acre)	Salt (lbs/acre)	Amount
CAN17	Solid commercial fertilizer	46.75	0.00	0.00	0.00	
Application event totals		46.75	0.00	0.00	0.00	

04/09/2023	Surface (irrigation)	No precipitation	No precipitation	No precipitation

Source description	Material type	N (lbs/acre)	P (lbs/acre)	K (lbs/acre)	Salt (lbs/acre)	Amount
MID Lateral 5	Surface water	0.00	0.00	0.00	36.20	2,227,500.00 *gal*
Application event totals		0.00	0.00	0.00	36.20	

05/01/2023	Surface (irrigation)	No precipitation	No precipitation	No precipitation

Source description	Material type	N (lbs/acre)	P (lbs/acre)	K (lbs/acre)	Salt (lbs/acre)	Amount
MID Lateral 5	Surface water	0.00	0.00	0.00	34.55	2,126,250.00 *gal*
Application event totals		0.00	0.00	0.00	34.55	

05/20/2023	Sidedress	No precipitation	No precipitation	No precipitation

Source description	Material type	N (lbs/acre)	P (lbs/acre)	K (lbs/acre)	Salt (lbs/acre)	Amount
CAN17	Solid commercial fertilizer	46.20	0.00	0.00	0.00	
Application event totals		46.20	0.00	0.00	0.00	

05/22/2023	Surface (irrigation)	No precipitation	No precipitation	No precipitation

Source description	Material type	N (lbs/acre)	P (lbs/acre)	K (lbs/acre)	Salt (lbs/acre)	Amount
MID Lateral 5	Surface water	0.00	0.00	0.00	34.55	2,126,250.00 *gal*
Application event totals		0.00	0.00	0.00	34.55	

Field 12 - 01/28/2010: Almond, in shell

Application date	Application method	Precipitation 24 hours prior	Precipitation during application	Precipitation 24 hours following
06/11/2023	Surface (irrigation)	No precipitation	No precipitation	No precipitation

Source description	Material type	N (lbs/acre)	P (lbs/acre)	K (lbs/acre)	Salt (lbs/acre)	Amount
MID Lateral 5	Surface water	0.00	0.00	0.00	36.20	2,227,500.00 *gal*
Application event totals		0.00	0.00	0.00	36.20	

Application date	Application method	Precipitation 24 hours prior	Precipitation during application	Precipitation 24 hours following
06/26/2023	Surface (irrigation)	No precipitation	No precipitation	No precipitation

Source description	Material type	N (lbs/acre)	P (lbs/acre)	K (lbs/acre)	Salt (lbs/acre)	Amount
MID Lateral 5	Surface water	0.00	0.00	0.00	36.20	2,227,500.00 *gal*
Application event totals		0.00	0.00	0.00	36.20	

Application date	Application method	Precipitation 24 hours prior	Precipitation during application	Precipitation 24 hours following
07/10/2023	Surface (irrigation)	No precipitation	No precipitation	No precipitation

Source description	Material type	N (lbs/acre)	P (lbs/acre)	K (lbs/acre)	Salt (lbs/acre)	Amount
MID Lateral 5	Surface water	0.00	0.00	0.00	36.20	2,227,500.00 *gal*
Application event totals		0.00	0.00	0.00	36.20	

Application date	Application method	Precipitation 24 hours prior	Precipitation during application	Precipitation 24 hours following
07/24/2023	Surface (irrigation)	No precipitation	No precipitation	No precipitation

Source description	Material type	N (lbs/acre)	P (lbs/acre)	K (lbs/acre)	Salt (lbs/acre)	Amount
MID Lateral 5	Surface water	0.00	0.00	0.00	36.20	2,227,500.00 *gal*
Application event totals		0.00	0.00	0.00	36.20	

Application date	Application method	Precipitation 24 hours prior	Precipitation during application	Precipitation 24 hours following
08/08/2023	Surface (irrigation)	No precipitation	No precipitation	No precipitation

Source description	Material type	N (lbs/acre)	P (lbs/acre)	K (lbs/acre)	Salt (lbs/acre)	Amount
MID Lateral 5	Surface water	0.00	0.00	0.00	36.20	2,227,500.00 *gal*
Application event totals		0.00	0.00	0.00	36.20	

Application date	Application method	Precipitation 24 hours prior	Precipitation during application	Precipitation 24 hours following
08/29/2023	Surface (irrigation)	No precipitation	No precipitation	No precipitation

Source description	Material type	N (lbs/acre)	P (lbs/acre)	K (lbs/acre)	Salt (lbs/acre)	Amount
MID Lateral 5	Surface water	0.00	0.00	0.00	36.20	2,227,500.00 *gal*
Application event totals		0.00	0.00	0.00	36.20	

Field 2 - 10/31/2022: Oats, silage-soft dough

Field 2 - 10/31/2022: Oats, silage-soft dough

Field name: Field 2

Crop: Oats, silage-soft dough

Plant date: 10/31/2022

Application date	Application method	Precipitation 24 hours prior	Precipitation during application	Precipitation 24 hours following
09/14/2022	Towed tank	No precipitation	No precipitation	No precipitation

Source description	Material type	N (lbs/acre)	P (lbs/acre)	K (lbs/acre)	Salt (lbs/acre)	Amount
Slurry	Process wastewater sludge	86.73	34.41	124.15	919.62	741,000.00 *gal*
Application event totals		86.73	34.41	124.15	919.62	

Application date	Application method	Precipitation 24 hours prior	Precipitation during application	Precipitation 24 hours following
10/08/2022	Surface (irrigation)	No precipitation	No precipitation	No precipitation

Source description	Material type	N (lbs/acre)	P (lbs/acre)	K (lbs/acre)	Salt (lbs/acre)	Amount
MID Lateral 5	Surface water	0.00	0.00	0.00	83.19	4,860,000.00 *gal*
Application event totals		0.00	0.00	0.00	83.19	

Application date	Application method	Precipitation 24 hours prior	Precipitation during application	Precipitation 24 hours following
02/18/2023	Surface (irrigation)	No precipitation	No precipitation	No precipitation

Source description	Material type	N (lbs/acre)	P (lbs/acre)	K (lbs/acre)	Salt (lbs/acre)	Amount
WWS	Process wastewater	94.83	17.16	215.18	1,028.30	889,950.00 *gal*
Application event totals		94.83	17.16	215.18	1,028.30	

Application date	Application method	Precipitation 24 hours prior	Precipitation during application	Precipitation 24 hours following
04/09/2023	Surface (irrigation)	No precipitation	No precipitation	No precipitation

Source description	Material type	N (lbs/acre)	P (lbs/acre)	K (lbs/acre)	Salt (lbs/acre)	Amount
WWS	Process wastewater	82.33	14.89	186.81	892.70	772,590.00 *gal*
Application event totals		82.33	14.89	186.81	892.70	

Field 2 - 06/10/2023: Corn, silage

Field name: Field 2

Crop: Corn, silage

Plant date: 06/10/2023

Application date	Application method	Precipitation 24 hours prior	Precipitation during application	Precipitation 24 hours following

Field 2 - 06/10/2023: Corn, silage

Application date	Application method	Precipitation 24 hours prior	Precipitation during application	Precipitation 24 hours following
05/27/2023	Surface (irrigation)	No precipitation	No precipitation	No precipitation

Source description	Material type	N (lbs/acre)	P (lbs/acre)	K (lbs/acre)	Salt (lbs/acre)	Amount
WWS	Process wastewater	94.76	10.10	154.15	1,112.30	706,290.00 *gal*
MID Lateral 5	Surface water	0.00	0.00	0.00	36.87	4,657,500.00 *gal*
Application event totals		94.76	10.10	154.15	1,149.18	

Application date	Application method	Precipitation 24 hours prior	Precipitation during application	Precipitation 24 hours following
07/05/2023	Surface (irrigation)	No precipitation	No precipitation	No precipitation

Source description	Material type	N (lbs/acre)	P (lbs/acre)	K (lbs/acre)	Salt (lbs/acre)	Amount
MID Lateral 5	Surface water	0.00	0.00	0.00	41.68	5,265,000.00 *gal*
Application event totals		0.00	0.00	0.00	41.68	

Application date	Application method	Precipitation 24 hours prior	Precipitation during application	Precipitation 24 hours following
07/19/2023	Surface (irrigation)	No precipitation	No precipitation	No precipitation

Source description	Material type	N (lbs/acre)	P (lbs/acre)	K (lbs/acre)	Salt (lbs/acre)	Amount
WWS	Process wastewater	85.76	9.14	139.51	1,006.66	639,210.00 *gal*
MID Lateral 5	Surface water	0.00	0.00	0.00	33.67	4,252,500.00 *gal*
Application event totals		85.76	9.14	139.51	1,040.33	

Application date	Application method	Precipitation 24 hours prior	Precipitation during application	Precipitation 24 hours following
08/02/2023	Surface (irrigation)	No precipitation	No precipitation	No precipitation

Source description	Material type	N (lbs/acre)	P (lbs/acre)	K (lbs/acre)	Salt (lbs/acre)	Amount
MID Lateral 5	Surface water	0.00	0.00	0.00	41.68	5,265,000.00 *gal*
Application event totals		0.00	0.00	0.00	41.68	

Application date	Application method	Precipitation 24 hours prior	Precipitation during application	Precipitation 24 hours following
08/17/2023	Surface (irrigation)	No precipitation	No precipitation	No precipitation

Source description	Material type	N (lbs/acre)	P (lbs/acre)	K (lbs/acre)	Salt (lbs/acre)	Amount
WWS	Process wastewater	70.84	7.55	115.24	831.52	528,000.00 *gal*
MID Lateral 5	Surface water	0.00	0.00	0.00	35.27	4,455,000.00 *gal*
Application event totals		70.84	7.55	115.24	866.79	

Field 2 - 06/10/2023: Corn, silage

Application date	Application method	Precipitation 24 hours prior	Precipitation during application	Precipitation 24 hours following
09/01/2023	Surface (irrigation)	No precipitation	No precipitation	No precipitation

Source description	Material type	N (lbs/acre)	P (lbs/acre)	K (lbs/acre)	Salt (lbs/acre)	Amount
MID Lateral 5	Surface water	0.00	0.00	0.00	40.08	5,062,500.00 *gal*
Application event totals		0.00	0.00	0.00	40.08	

Application date	Application method	Precipitation 24 hours prior	Precipitation during application	Precipitation 24 hours following
09/14/2023	Surface (irrigation)	No precipitation	No precipitation	No precipitation

Source description	Material type	N (lbs/acre)	P (lbs/acre)	K (lbs/acre)	Salt (lbs/acre)	Amount
MID Lateral 5	Surface water	0.00	0.00	0.00	40.08	5,062,500.00 *gal*
Application event totals		0.00	0.00	0.00	40.08	

Field 3 - 02/05/2014: Almond, in shell

Field name: Field 3

Crop: Almond, in shell

Plant date: 02/05/2014

Application date	Application method	Precipitation 24 hours prior	Precipitation during application	Precipitation 24 hours following
09/16/2022	Surface (irrigation)	No precipitation	No precipitation	No precipitation

Source description	Material type	N (lbs/acre)	P (lbs/acre)	K (lbs/acre)	Salt (lbs/acre)	Amount
MID Lateral 5	Surface water	0.00	0.00	0.00	67.59	4,050,000.00 *gal*
Application event totals		0.00	0.00	0.00	67.59	

Application date	Application method	Precipitation 24 hours prior	Precipitation during application	Precipitation 24 hours following
10/08/2022	Surface (irrigation)	No precipitation	No precipitation	No precipitation

Source description	Material type	N (lbs/acre)	P (lbs/acre)	K (lbs/acre)	Salt (lbs/acre)	Amount
WWS	Process wastewater	48.71	9.89	86.76	566.99	456,000.00 *gal*
MID Lateral 5	Surface water	0.00	0.00	0.00	64.21	3,847,500.00 *gal*
Application event totals		48.71	9.89	86.76	631.21	

Application date	Application method	Precipitation 24 hours prior	Precipitation during application	Precipitation 24 hours following
03/02/2023	Sidedress	No precipitation	No precipitation	No precipitation

Source description	Material type	N (lbs/acre)	P (lbs/acre)	K (lbs/acre)	Salt (lbs/acre)	Amount
CAN17	Solid commercial fertilizer	29.75	0.00	0.00	0.00	
Application event totals		29.75	0.00	0.00	0.00	

Field 3 - 02/05/2014: Almond, in shell

Application date	Application method	Precipitation 24 hours prior	Precipitation during application	Precipitation 24 hours following
04/10/2023	Surface (irrigation)	No precipitation	No precipitation	No precipitation

Source description	Material type	N (lbs/acre)	P (lbs/acre)	K (lbs/acre)	Salt (lbs/acre)	Amount
WWS	Process wastewater	71.05	7.57	115.59	834.07	543,200.00 *gal*
MID Lateral 5	Surface water	0.00	0.00	0.00	31.26	4,050,000.00 *gal*
Application event totals		71.05	7.57	115.59	865.34	

Application date	Application method	Precipitation 24 hours prior	Precipitation during application	Precipitation 24 hours following
05/02/2023	Surface (irrigation)	No precipitation	No precipitation	No precipitation

Source description	Material type	N (lbs/acre)	P (lbs/acre)	K (lbs/acre)	Salt (lbs/acre)	Amount
MID Lateral 5	Surface water	0.00	0.00	0.00	29.70	3,847,500.00 *gal*
Application event totals		0.00	0.00	0.00	29.70	

Application date	Application method	Precipitation 24 hours prior	Precipitation during application	Precipitation 24 hours following
05/23/2023	Surface (irrigation)	No precipitation	No precipitation	No precipitation

Source description	Material type	N (lbs/acre)	P (lbs/acre)	K (lbs/acre)	Salt (lbs/acre)	Amount
MID Lateral 5	Surface water	0.00	0.00	0.00	31.26	4,050,000.00 *gal*
Application event totals		0.00	0.00	0.00	31.26	

Application date	Application method	Precipitation 24 hours prior	Precipitation during application	Precipitation 24 hours following
06/12/2023	Surface (irrigation)	No precipitation	No precipitation	No precipitation

Source description	Material type	N (lbs/acre)	P (lbs/acre)	K (lbs/acre)	Salt (lbs/acre)	Amount
MID Lateral 5	Surface water	0.00	0.00	0.00	31.26	4,050,000.00 *gal*
Application event totals		0.00	0.00	0.00	31.26	

Application date	Application method	Precipitation 24 hours prior	Precipitation during application	Precipitation 24 hours following
06/27/2023	Surface (irrigation)	No precipitation	No precipitation	No precipitation

Source description	Material type	N (lbs/acre)	P (lbs/acre)	K (lbs/acre)	Salt (lbs/acre)	Amount
MID Lateral 5	Surface water	0.00	0.00	0.00	32.83	4,252,500.00 *gal*
Application event totals		0.00	0.00	0.00	32.83	

Application date	Application method	Precipitation 24 hours prior	Precipitation during application	Precipitation 24 hours following
07/11/2023	Surface (irrigation)	No precipitation	No precipitation	No precipitation

Source description	Material type	N (lbs/acre)	P (lbs/acre)	K (lbs/acre)	Salt (lbs/acre)	Amount
MID Lateral 5	Surface water	0.00	0.00	0.00	32.83	4,252,500.00 *gal*
Application event totals		0.00	0.00	0.00	32.83	

Field 3 - 02/05/2014: Almond, in shell

Application date	Application method	Precipitation 24 hours prior	Precipitation during application	Precipitation 24 hours following
07/25/2023	Surface (irrigation)	No precipitation	No precipitation	No precipitation

Source description	Material type	N (lbs/acre)	P (lbs/acre)	K (lbs/acre)	Salt (lbs/acre)	Amount
MID Lateral 5	Surface water	0.00	0.00	0.00	32.83	4,252,500.00 *gal*
Application event totals		0.00	0.00	0.00	32.83	

Application date	Application method	Precipitation 24 hours prior	Precipitation during application	Precipitation 24 hours following
08/09/2023	Surface (irrigation)	No precipitation	No precipitation	No precipitation

Source description	Material type	N (lbs/acre)	P (lbs/acre)	K (lbs/acre)	Salt (lbs/acre)	Amount
MID Lateral 5	Surface water	0.00	0.00	0.00	31.26	4,050,000.00 *gal*
Application event totals		0.00	0.00	0.00	31.26	

Application date	Application method	Precipitation 24 hours prior	Precipitation during application	Precipitation 24 hours following
08/30/2023	Surface (irrigation)	No precipitation	No precipitation	No precipitation

Source description	Material type	N (lbs/acre)	P (lbs/acre)	K (lbs/acre)	Salt (lbs/acre)	Amount
MID Lateral 5	Surface water	0.00	0.00	0.00	31.26	4,050,000.00 *gal*
Application event totals		0.00	0.00	0.00	31.26	

Field 6 - 02/03/2006: Almond, in shell

Field name: Field 6

Crop: Almond, in shell

Plant date: 02/03/2006

Application date	Application method	Precipitation 24 hours prior	Precipitation during application	Precipitation 24 hours following
09/20/2022	Surface (irrigation)	No precipitation	No precipitation	No precipitation

Source description	Material type	N (lbs/acre)	P (lbs/acre)	K (lbs/acre)	Salt (lbs/acre)	Amount
MID Lateral 5	Surface water	0.00	0.00	0.00	68.36	2,662,400.00 *gal*
Application event totals		0.00	0.00	0.00	68.36	

Application date	Application method	Precipitation 24 hours prior	Precipitation during application	Precipitation 24 hours following
10/05/2022	Surface (irrigation)	No precipitation	No precipitation	No precipitation

Source description	Material type	N (lbs/acre)	P (lbs/acre)	K (lbs/acre)	Salt (lbs/acre)	Amount
MID Lateral 5	Surface water	0.00	0.00	0.00	68.36	2,662,400.00 *gal*
Application event totals		0.00	0.00	0.00	68.36	

Field 6 - 02/03/2006: Almond, in shell

Application date	Application method	Precipitation 24 hours prior	Precipitation during application	Precipitation 24 hours following
11/02/2022	Broadcast/incorporate	No precipitation	No precipitation	No precipitation

Source description	Material type	N (lbs/acre)	P (lbs/acre)	K (lbs/acre)	Salt (lbs/acre)	Amount
Separator Solids	Separator solids	47.55	13.57	22.86	376.74	150.00 *ton*
Application event totals		47.55	13.57	22.86	376.74	

Application date	Application method	Precipitation 24 hours prior	Precipitation during application	Precipitation 24 hours following
03/02/2023	Sidedress	No precipitation	No precipitation	No precipitation

Source description	Material type	N (lbs/acre)	P (lbs/acre)	K (lbs/acre)	Salt (lbs/acre)	Amount
CAN17	Solid commercial fertilizer	46.75	0.00	0.00	0.00	
Application event totals		46.75	0.00	0.00	0.00	

Application date	Application method	Precipitation 24 hours prior	Precipitation during application	Precipitation 24 hours following
04/04/2023	Surface (irrigation)	No precipitation	No precipitation	No precipitation

Source description	Material type	N (lbs/acre)	P (lbs/acre)	K (lbs/acre)	Salt (lbs/acre)	Amount
MID Lateral 5	Surface water	0.00	0.00	0.00	30.41	2,561,000.00 *gal*
Application event totals		0.00	0.00	0.00	30.41	

Application date	Application method	Precipitation 24 hours prior	Precipitation during application	Precipitation 24 hours following
04/22/2023	Sidedress	No precipitation	No precipitation	No precipitation

Source description	Material type	N (lbs/acre)	P (lbs/acre)	K (lbs/acre)	Salt (lbs/acre)	Amount
CAN17	Solid commercial fertilizer	46.75	0.00	0.00	0.00	
Application event totals		46.75	0.00	0.00	0.00	

Application date	Application method	Precipitation 24 hours prior	Precipitation during application	Precipitation 24 hours following
04/25/2023	Surface (irrigation)	No precipitation	No precipitation	No precipitation

Source description	Material type	N (lbs/acre)	P (lbs/acre)	K (lbs/acre)	Salt (lbs/acre)	Amount
MID Lateral 5	Surface water	0.00	0.00	0.00	30.41	2,561,000.00 *gal*
Application event totals		0.00	0.00	0.00	30.41	

Application date	Application method	Precipitation 24 hours prior	Precipitation during application	Precipitation 24 hours following
05/15/2023	Surface (irrigation)	No precipitation	No precipitation	No precipitation

Source description	Material type	N (lbs/acre)	P (lbs/acre)	K (lbs/acre)	Salt (lbs/acre)	Amount
MID Lateral 5	Surface water	0.00	0.00	0.00	30.41	2,561,000.00 *gal*
Application event totals		0.00	0.00	0.00	30.41	

Field 6 - 02/03/2006: Almond, in shell

Application date	Application method	Precipitation 24 hours prior	Precipitation during application	Precipitation 24 hours following
05/29/2023	Surface (irrigation)	No precipitation	No precipitation	No precipitation

Source description	Material type	N (lbs/acre)	P (lbs/acre)	K (lbs/acre)	Salt (lbs/acre)	Amount
MID Lateral 5	Surface water	0.00	0.00	0.00	30.41	2,561,000.00 *gal*
Application event totals		0.00	0.00	0.00	30.41	

Application date	Application method	Precipitation 24 hours prior	Precipitation during application	Precipitation 24 hours following
05/28/2023	Sidedress	No precipitation	No precipitation	No precipitation

Source description	Material type	N (lbs/acre)	P (lbs/acre)	K (lbs/acre)	Salt (lbs/acre)	Amount
Ammonium Sulfate	Solid commercial fertilizer	46.20	0.00	0.00	0.00	
Application event totals		46.20	0.00	0.00	0.00	

Application date	Application method	Precipitation 24 hours prior	Precipitation during application	Precipitation 24 hours following
06/12/2023	Surface (irrigation)	No precipitation	No precipitation	No precipitation

Source description	Material type	N (lbs/acre)	P (lbs/acre)	K (lbs/acre)	Salt (lbs/acre)	Amount
MID Lateral 5	Surface water	0.00	0.00	0.00	30.92	2,603,250.00 *gal*
Application event totals		0.00	0.00	0.00	30.92	

Application date	Application method	Precipitation 24 hours prior	Precipitation during application	Precipitation 24 hours following
06/26/2023	Surface (irrigation)	No precipitation	No precipitation	No precipitation

Source description	Material type	N (lbs/acre)	P (lbs/acre)	K (lbs/acre)	Salt (lbs/acre)	Amount
MID Lateral 5	Surface water	0.00	0.00	0.00	30.92	2,603,250.00 *gal*
Application event totals		0.00	0.00	0.00	30.92	

Application date	Application method	Precipitation 24 hours prior	Precipitation during application	Precipitation 24 hours following
07/10/2023	Surface (irrigation)	No precipitation	No precipitation	No precipitation

Source description	Material type	N (lbs/acre)	P (lbs/acre)	K (lbs/acre)	Salt (lbs/acre)	Amount
MID Lateral 5	Surface water	0.00	0.00	0.00	3.09	260,250.00 *gal*
Application event totals		0.00	0.00	0.00	3.09	

Application date	Application method	Precipitation 24 hours prior	Precipitation during application	Precipitation 24 hours following
07/24/2023	Surface (irrigation)	No precipitation	No precipitation	No precipitation

Source description	Material type	N (lbs/acre)	P (lbs/acre)	K (lbs/acre)	Salt (lbs/acre)	Amount
MID Lateral 5	Surface water	0.00	0.00	0.00	30.92	2,603,250.00 *gal*
Application event totals		0.00	0.00	0.00	30.92	

Field 6 - 02/03/2006: Almond, in shell

Application date	Application method	Precipitation 24 hours prior	Precipitation during application	Precipitation 24 hours following
08/07/2023	Surface (irrigation)	No precipitation	No precipitation	No precipitation

Source description	Material type	N (lbs/acre)	P (lbs/acre)	K (lbs/acre)	Salt (lbs/acre)	Amount
MID Lateral 5	Surface water	0.00	0.00	0.00	30.92	2,603,250.00 *gal*
Application event totals		0.00	0.00	0.00	30.92	

Application date	Application method	Precipitation 24 hours prior	Precipitation during application	Precipitation 24 hours following
08/21/2023	Surface (irrigation)	No precipitation	No precipitation	No precipitation

Source description	Material type	N (lbs/acre)	P (lbs/acre)	K (lbs/acre)	Salt (lbs/acre)	Amount
MID Lateral 5	Surface water	0.00	0.00	0.00	30.92	2,603,250.00 *gal*
Application event totals		0.00	0.00	0.00	30.92	

Application date	Application method	Precipitation 24 hours prior	Precipitation during application	Precipitation 24 hours following
09/04/2023	Surface (irrigation)	No precipitation	No precipitation	No precipitation

Source description	Material type	N (lbs/acre)	P (lbs/acre)	K (lbs/acre)	Salt (lbs/acre)	Amount
MID Lateral 5	Surface water	0.00	0.00	0.00	30.92	2,603,250.00 *gal*
Application event totals		0.00	0.00	0.00	30.92	

Field 7 - 02/03/2006: Almond, in shell

Field name: Field 7

Crop: Almond, in shell

Plant date: 02/03/2006

Application date	Application method	Precipitation 24 hours prior	Precipitation during application	Precipitation 24 hours following
09/22/2022	Surface (irrigation)	No precipitation	No precipitation	No precipitation

Source description	Material type	N (lbs/acre)	P (lbs/acre)	K (lbs/acre)	Salt (lbs/acre)	Amount
MID Lateral 5	Surface water	0.00	0.00	0.00	31.62	2,867,200.00 *gal*
Application event totals		0.00	0.00	0.00	31.62	

Application date	Application method	Precipitation 24 hours prior	Precipitation during application	Precipitation 24 hours following
10/07/2022	Surface (irrigation)	No precipitation	No precipitation	No precipitation

Source description	Material type	N (lbs/acre)	P (lbs/acre)	K (lbs/acre)	Salt (lbs/acre)	Amount
MID Lateral 5	Surface water	0.00	0.00	0.00	31.62	2,867,200.00 *gal*
Application event totals		0.00	0.00	0.00	31.62	

Field 7 - 02/03/2006: Almond, in shell

Application date	Application method	Precipitation 24 hours prior	Precipitation during application	Precipitation 24 hours following
11/02/2022	Broadcast/incorporate	No precipitation	No precipitation	No precipitation

Source description	Material type	N (lbs/acre)	P (lbs/acre)	K (lbs/acre)	Salt (lbs/acre)	Amount
Separator Solids	Separator solids	47.10	13.44	22.64	373.15	160.00 *ton*
Application event totals		47.10	13.44	22.64	373.15	

Application date	Application method	Precipitation 24 hours prior	Precipitation during application	Precipitation 24 hours following
03/02/2023	Sidedress	No precipitation	No precipitation	No precipitation

Source description	Material type	N (lbs/acre)	P (lbs/acre)	K (lbs/acre)	Salt (lbs/acre)	Amount
CAN17	Solid commercial fertilizer	46.75	0.00	0.00	0.00	
Application event totals		46.75	0.00	0.00	0.00	

Application date	Application method	Precipitation 24 hours prior	Precipitation during application	Precipitation 24 hours following
04/05/2023	Surface (irrigation)	No precipitation	No precipitation	No precipitation

Source description	Material type	N (lbs/acre)	P (lbs/acre)	K (lbs/acre)	Salt (lbs/acre)	Amount
MID Lateral 5	Surface water	0.00	0.00	0.00	30.41	2,758,000.00 *gal*
Application event totals		0.00	0.00	0.00	30.41	

Application date	Application method	Precipitation 24 hours prior	Precipitation during application	Precipitation 24 hours following
04/22/2023	Sidedress	No precipitation	No precipitation	No precipitation

Source description	Material type	N (lbs/acre)	P (lbs/acre)	K (lbs/acre)	Salt (lbs/acre)	Amount
CAN17	Solid commercial fertilizer	46.75	0.00	0.00	0.00	
Application event totals		46.75	0.00	0.00	0.00	

Application date	Application method	Precipitation 24 hours prior	Precipitation during application	Precipitation 24 hours following
04/26/2023	Surface (irrigation)	No precipitation	No precipitation	No precipitation

Source description	Material type	N (lbs/acre)	P (lbs/acre)	K (lbs/acre)	Salt (lbs/acre)	Amount
MID Lateral 5	Surface water	0.00	0.00	0.00	30.41	2,758,000.00 *gal*
Application event totals		0.00	0.00	0.00	30.41	

Application date	Application method	Precipitation 24 hours prior	Precipitation during application	Precipitation 24 hours following
05/16/2023	Surface (irrigation)	No precipitation	No precipitation	No precipitation

Source description	Material type	N (lbs/acre)	P (lbs/acre)	K (lbs/acre)	Salt (lbs/acre)	Amount
MID Lateral 5	Surface water	0.00	0.00	0.00	30.41	2,758,000.00 *gal*
Application event totals		0.00	0.00	0.00	30.41	

Field 7 - 02/03/2006: Almond, in shell

Application date	Application method	Precipitation 24 hours prior	Precipitation during application	Precipitation 24 hours following
05/30/2023	Surface (irrigation)	No precipitation	No precipitation	No precipitation

Source description	Material type	N (lbs/acre)	P (lbs/acre)	K (lbs/acre)	Salt (lbs/acre)	Amount
MID Lateral 5	Surface water	0.00	0.00	0.00	30.41	2,758,000.00 *gal*
Application event totals		0.00	0.00	0.00	30.41	

Application date	Application method	Precipitation 24 hours prior	Precipitation during application	Precipitation 24 hours following
05/28/2023	Sidedress	No precipitation	No precipitation	No precipitation

Source description	Material type	N (lbs/acre)	P (lbs/acre)	K (lbs/acre)	Salt (lbs/acre)	Amount
Ammonium Sulfate	Solid commercial fertilizer	46.20	0.00	0.00	0.00	
Application event totals		46.20	0.00	0.00	0.00	

Application date	Application method	Precipitation 24 hours prior	Precipitation during application	Precipitation 24 hours following
06/13/2023	Surface (irrigation)	No precipitation	No precipitation	No precipitation

Source description	Material type	N (lbs/acre)	P (lbs/acre)	K (lbs/acre)	Salt (lbs/acre)	Amount
MID Lateral 5	Surface water	0.00	0.00	0.00	30.92	2,803,500.00 *gal*
Application event totals		0.00	0.00	0.00	30.92	

Application date	Application method	Precipitation 24 hours prior	Precipitation during application	Precipitation 24 hours following
06/27/2023	Surface (irrigation)	No precipitation	No precipitation	No precipitation

Source description	Material type	N (lbs/acre)	P (lbs/acre)	K (lbs/acre)	Salt (lbs/acre)	Amount
MID Lateral 5	Surface water	0.00	0.00	0.00	30.92	2,803,500.00 *gal*
Application event totals		0.00	0.00	0.00	30.92	

Application date	Application method	Precipitation 24 hours prior	Precipitation during application	Precipitation 24 hours following
07/11/2023	Surface (irrigation)	No precipitation	No precipitation	No precipitation

Source description	Material type	N (lbs/acre)	P (lbs/acre)	K (lbs/acre)	Salt (lbs/acre)	Amount
MID Lateral 5	Surface water	0.00	0.00	0.00	30.92	2,803,500.00 *gal*
Application event totals		0.00	0.00	0.00	30.92	

Application date	Application method	Precipitation 24 hours prior	Precipitation during application	Precipitation 24 hours following
07/25/2023	Surface (irrigation)	No precipitation	No precipitation	No precipitation

Source description	Material type	N (lbs/acre)	P (lbs/acre)	K (lbs/acre)	Salt (lbs/acre)	Amount
MID Lateral 5	Surface water	0.00	0.00	0.00	30.92	2,803,500.00 *gal*
Application event totals		0.00	0.00	0.00	30.92	

Field 7 - 02/03/2006: Almond, in shell

Application date	Application method	Precipitation 24 hours prior	Precipitation during application	Precipitation 24 hours following
08/08/2023	Surface (irrigation)	No precipitation	No precipitation	No precipitation

Source description	Material type	N (lbs/acre)	P (lbs/acre)	K (lbs/acre)	Salt (lbs/acre)	Amount
MID Lateral 5	Surface water	0.00	0.00	0.00	30.92	2,803,500.00 *gal*
Application event totals		0.00	0.00	0.00	30.92	

Application date	Application method	Precipitation 24 hours prior	Precipitation during application	Precipitation 24 hours following
08/22/2023	Surface (irrigation)	No precipitation	No precipitation	No precipitation

Source description	Material type	N (lbs/acre)	P (lbs/acre)	K (lbs/acre)	Salt (lbs/acre)	Amount
MID Lateral 5	Surface water	0.00	0.00	0.00	30.92	2,803,500.00 *gal*
Application event totals		0.00	0.00	0.00	30.92	

Application date	Application method	Precipitation 24 hours prior	Precipitation during application	Precipitation 24 hours following
09/05/2023	Surface (irrigation)	No precipitation	No precipitation	No precipitation

Source description	Material type	N (lbs/acre)	P (lbs/acre)	K (lbs/acre)	Salt (lbs/acre)	Amount
MID Lateral 5	Surface water	0.00	0.00	0.00	30.92	2,803,500.00 *gal*
Application event totals		0.00	0.00	0.00	30.92	

Field 8 - 05/28/2023: Corn, silage

Field name: Field 8

Crop: Corn, silage

Plant date: 05/28/2023

Application date	Application method	Precipitation 24 hours prior	Precipitation during application	Precipitation 24 hours following
05/15/2023	Surface (irrigation)	No precipitation	No precipitation	No precipitation

Source description	Material type	N (lbs/acre)	P (lbs/acre)	K (lbs/acre)	Salt (lbs/acre)	Amount
MID Lateral 5	Surface water	0.00	0.00	0.00	42.87	4,860,000.00 *gal*
Application event totals		0.00	0.00	0.00	42.87	

Application date	Application method	Precipitation 24 hours prior	Precipitation during application	Precipitation 24 hours following
05/14/2023	Broadcast/incorporate	No precipitation	No precipitation	No precipitation

Source description	Material type	N (lbs/acre)	P (lbs/acre)	K (lbs/acre)	Salt (lbs/acre)	Amount
Separator Solids	Separator solids	174.35	36.80	87.73	1,092.01	530.00 *ton*
Application event totals		174.35	36.80	87.73	1,092.01	

Field 8 - 05/28/2023: Corn, silage

Application date	Application method	Precipitation 24 hours prior	Precipitation during application	Precipitation 24 hours following
05/28/2023	Sidedress	No precipitation	No precipitation	No precipitation

Source description	Material type	N (lbs/acre)	P (lbs/acre)	K (lbs/acre)	Salt (lbs/acre)	Amount
4-10-10	Solid commercial fertilizer	8.00	0.00	0.00	0.00	
Application event totals		8.00	0.00	0.00	0.00	

06/24/2023	Sidedress	No precipitation	No precipitation	No precipitation

Source description	Material type	N (lbs/acre)	P (lbs/acre)	K (lbs/acre)	Salt (lbs/acre)	Amount
UN32	Solid commercial fertilizer	48.00	0.00	0.00	0.00	
Application event totals		48.00	0.00	0.00	0.00	

06/25/2023	Surface (irrigation)	No precipitation	No precipitation	No precipitation

Source description	Material type	N (lbs/acre)	P (lbs/acre)	K (lbs/acre)	Salt (lbs/acre)	Amount
MID Lateral 5	Surface water	0.00	0.00	0.00	39.30	4,455,000.00 *gal*
Application event totals		0.00	0.00	0.00	39.30	

06/30/2023	Surface (irrigation)	No precipitation	No precipitation	No precipitation

Source description	Material type	N (lbs/acre)	P (lbs/acre)	K (lbs/acre)	Salt (lbs/acre)	Amount
MID Lateral 5	Surface water	0.00	0.00	0.00	39.30	4,455,000.00 *gal*
Application event totals		0.00	0.00	0.00	39.30	

07/14/2023	Surface (irrigation)	No precipitation	No precipitation	No precipitation

Source description	Material type	N (lbs/acre)	P (lbs/acre)	K (lbs/acre)	Salt (lbs/acre)	Amount
MID Lateral 5	Surface water	0.00	0.00	0.00	39.30	4,455,000.00 *gal*
Application event totals		0.00	0.00	0.00	39.30	

07/28/2023	Surface (irrigation)	No precipitation	No precipitation	No precipitation

Source description	Material type	N (lbs/acre)	P (lbs/acre)	K (lbs/acre)	Salt (lbs/acre)	Amount
MID Lateral 5	Surface water	0.00	0.00	0.00	39.30	4,455,000.00 *gal*
Application event totals		0.00	0.00	0.00	39.30	

Field 8 - 05/28/2023: Corn, silage

Application date	Application method	Precipitation 24 hours prior	Precipitation during application	Precipitation 24 hours following
08/12/2023	Surface (irrigation)	No precipitation	No precipitation	No precipitation

Source description	Material type	N (lbs/acre)	P (lbs/acre)	K (lbs/acre)	Salt (lbs/acre)	Amount
MID Lateral 5	Surface water	0.00	0.00	0.00	39.30	4,455,000.00 *gal*
Application event totals		0.00	0.00	0.00	39.30	

Application date	Application method	Precipitation 24 hours prior	Precipitation during application	Precipitation 24 hours following
08/28/2023	Surface (irrigation)	No precipitation	No precipitation	No precipitation

Source description	Material type	N (lbs/acre)	P (lbs/acre)	K (lbs/acre)	Salt (lbs/acre)	Amount
MID Lateral 5	Surface water	0.00	0.00	0.00	35.73	4,050,000.00 *gal*
Application event totals		0.00	0.00	0.00	35.73	

Honeycutt - 11/01/2022: Oats, silage-soft dough

Field name: Honeycutt

Crop: Oats, silage-soft dough Plant date: 11/01/2022

Application date	Application method	Precipitation 24 hours prior	Precipitation during application	Precipitation 24 hours following
11/02/2022	Broadcast/incorporate	No precipitation	No precipitation	No precipitation

Source description	Material type	N (lbs/acre)	P (lbs/acre)	K (lbs/acre)	Salt (lbs/acre)	Amount
Separator Solids	Separator solids	105.31	30.06	105.31	834.41	230.00 *ton*
Application event totals		105.31	30.06	105.31	834.41	

Honeycutt - 06/10/2023: Corn, silage

Field name: Honeycutt

Crop: Corn, silage Plant date: 06/10/2023

Application date	Application method	Precipitation 24 hours prior	Precipitation during application	Precipitation 24 hours following

Honeycutt - 06/10/2023: Corn, silage

Application date	Application method	Precipitation 24 hours prior	Precipitation during application	Precipitation 24 hours following
05/14/2023	Broadcast/incorporate	No precipitation	No precipitation	No precipitation

Source description	Material type	N (lbs/acre)	P (lbs/acre)	K (lbs/acre)	Salt (lbs/acre)	Amount
Separator Solids	Separator solids	172.71	36.45	86.90	1,081.71	270.00 *ton*
Application event totals		172.71	36.45	86.90	1,081.71	

05/28/2023	Surface (irrigation)	No precipitation	No precipitation	No precipitation

Source description	Material type	N (lbs/acre)	P (lbs/acre)	K (lbs/acre)	Salt (lbs/acre)	Amount
MID Lateral 5	Surface water	0.00	0.00	0.00	45.16	2,632,500.00 *gal*
Application event totals		0.00	0.00	0.00	45.16	

06/10/2023	Sidedress	No precipitation	No precipitation	No precipitation

Source description	Material type	N (lbs/acre)	P (lbs/acre)	K (lbs/acre)	Salt (lbs/acre)	Amount
4-10-10	Solid commercial fertilizer	8.00	0.00	0.00	0.00	
Application event totals		8.00	0.00	0.00	0.00	

07/06/2023	Surface (irrigation)	No precipitation	No precipitation	No precipitation

Source description	Material type	N (lbs/acre)	P (lbs/acre)	K (lbs/acre)	Salt (lbs/acre)	Amount
MID Lateral 5	Surface water	0.00	0.00	0.00	38.21	2,227,500.00 *gal*
Application event totals		0.00	0.00	0.00	38.21	

07/05/2023	Sidedress	No precipitation	No precipitation	No precipitation

Source description	Material type	N (lbs/acre)	P (lbs/acre)	K (lbs/acre)	Salt (lbs/acre)	Amount
UN32	Solid commercial fertilizer	48.00	0.00	0.00	0.00	
Application event totals		48.00	0.00	0.00	0.00	

07/20/2023	Surface (irrigation)	No precipitation	No precipitation	No precipitation

Source description	Material type	N (lbs/acre)	P (lbs/acre)	K (lbs/acre)	Salt (lbs/acre)	Amount
MID Lateral 5	Surface water	0.00	0.00	0.00	41.68	2,430,000.00 *gal*
Application event totals		0.00	0.00	0.00	41.68	

Honeycutt - 06/10/2023: Corn, silage

Application date	Application method	Precipitation 24 hours prior	Precipitation during application	Precipitation 24 hours following
08/03/2023	Surface (irrigation)	No precipitation	No precipitation	No precipitation

Source description	Material type	N (lbs/acre)	P (lbs/acre)	K (lbs/acre)	Salt (lbs/acre)	Amount
MID Lateral 5	Surface water	0.00	0.00	0.00	41.68	2,430,000.00 *gal*
Application event totals		0.00	0.00	0.00	41.68	

08/18/2023	Surface (irrigation)	No precipitation	No precipitation	No precipitation

Source description	Material type	N (lbs/acre)	P (lbs/acre)	K (lbs/acre)	Salt (lbs/acre)	Amount
MID Lateral 5	Surface water	0.00	0.00	0.00	38.21	2,227,500.00 *gal*
Application event totals		0.00	0.00	0.00	38.21	

09/02/2023	Surface (irrigation)	No precipitation	No precipitation	No precipitation

Source description	Material type	N (lbs/acre)	P (lbs/acre)	K (lbs/acre)	Salt (lbs/acre)	Amount
MID Lateral 5	Surface water	0.00	0.00	0.00	38.21	2,227,500.00 *gal*
Application event totals		0.00	0.00	0.00	38.21	

09/16/2023	Surface (irrigation)	No precipitation	No precipitation	No precipitation

Source description	Material type	N (lbs/acre)	P (lbs/acre)	K (lbs/acre)	Salt (lbs/acre)	Amount
MID Lateral 5	Surface water	0.00	0.00	0.00	38.21	2,227,500.00 *gal*
Application event totals		0.00	0.00	0.00	38.21	

B. NUTRIENT BUDGET

Field 1 - 10/31/2022: Oats, silage-soft dough

Field name: Field 1 Crop: Oats, silage-soft dough Plant date: 10/31/2022

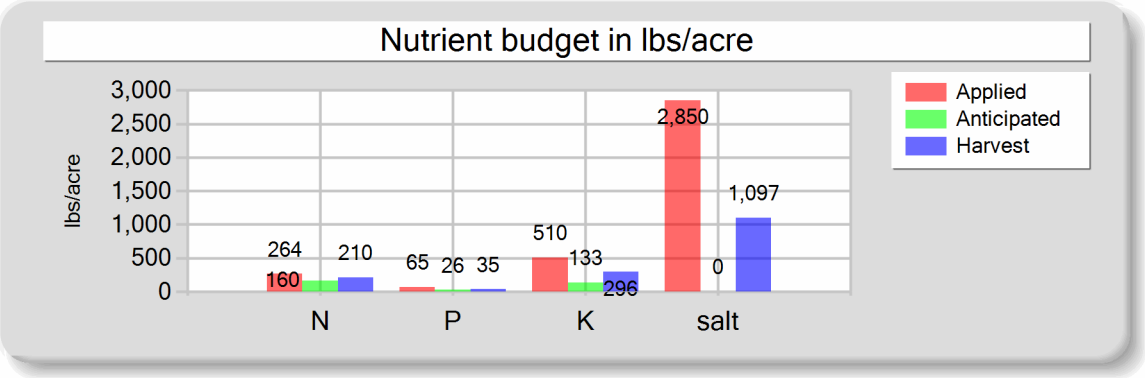

	Total N (lbs/acre)	Total P (lbs/acre)	Total K (lbs/acre)	Total salt (lbs/acre)
Existing soil nutrient content	0.00	0.00	0.00	0.00
Plowdown credit	0.00	0.00	0.00	0.00
Commercial fertilizer / Other	0.00	0.00	0.00	0.00
Dry manure	0.00	0.00	0.00	0.00
Process wastewater	256.95	65.20	510.40	2,765.40
Fresh water	0.00	0.00	0.00	84.49
Atmospheric deposition	7.00	0.00	0.00	0.00
Total nutrients applied	263.95	65.20	510.40	2,849.89
Anticipated crop nutrient removal	160.00	25.60	132.80	0.00
Actual crop nutrient removal	210.34	35.33	296.01	1,097.29
Nutrient balance	53.61	29.87	214.39	1,752.60
Applied to removed ratio	1.25	1.85	1.72	2.60

Fresh water applied	
5,062,500.00	*gallons*
186.43	*acre-inches*
4.66	*inches/acre*

Process wastewater applied	
2,398,400.00	*gallons*
88.32	*acre-inches*
2.21	*inches/acre*

Total harvests for the crop	
1	*harvests*

Field 1 - 06/10/2023: Corn, silage

Field name: Field 1 Crop: Corn, silage Plant date: 06/10/2023

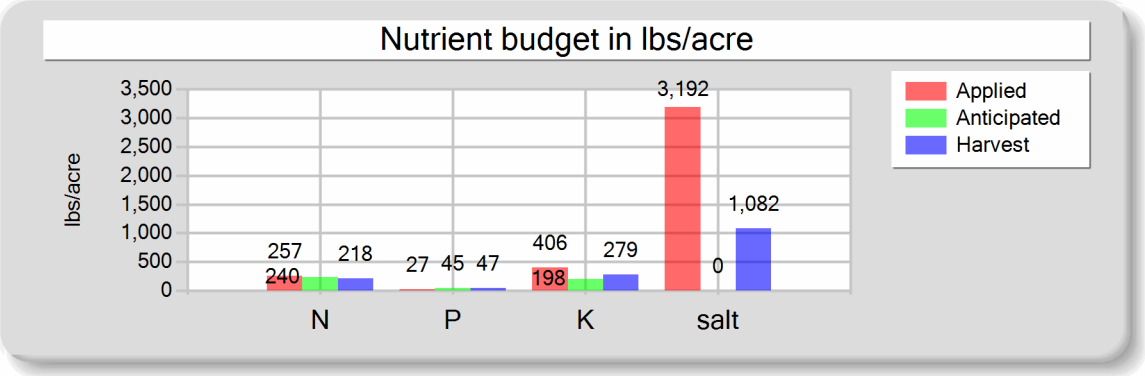

	Total N (lbs/acre)	Total P (lbs/acre)	Total K (lbs/acre)	Total salt (lbs/acre)
Existing soil nutrient content	0.00	0.00	0.00	0.00
Plowdown credit	0.00	0.00	0.00	0.00
Commercial fertilizer / Other	0.00	0.00	0.00	0.00
Dry manure	0.00	0.00	0.00	0.00
Process wastewater	249.58	26.59	406.02	2,929.70
Fresh water	0.00	0.00	0.00	262.60
Atmospheric deposition	7.00	0.00	0.00	0.00
Total nutrients applied	256.58	26.59	406.02	3,192.30
Anticipated crop nutrient removal	240.00	45.00	198.00	0.00
Actual crop nutrient removal	217.98	47.26	279.23	1,081.62
Nutrient balance	38.60	-20.67	126.79	2,110.68
Applied to removed ratio	1.18	0.56	1.45	2.95

Fresh water applied	
34,020,000.00	*gallons*
1,252.84	*acre-inches*
31.32	*inches/acre*

Process wastewater applied	
1,908,000.00	*gallons*
70.27	*acre-inches*
1.76	*inches/acre*

Total harvests for the crop	
1	*harvests*

Field 10 - 01/25/2022: Almond, in shell

Field name: Field 10 Crop: Almond, in shell Plant date: 01/25/2022

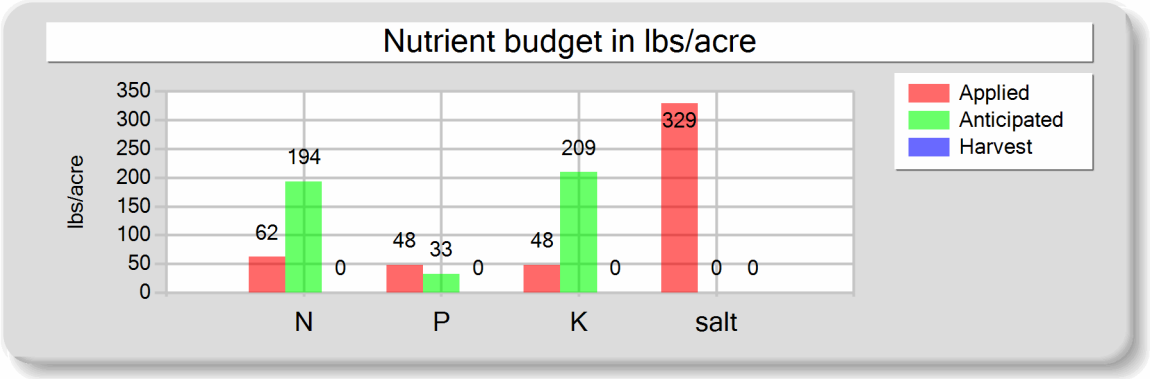

	Total N (lbs/acre)	Total P (lbs/acre)	Total K (lbs/acre)	Total salt (lbs/acre)
Existing soil nutrient content	0.00	0.00	0.00	0.00
Plowdown credit	0.00	0.00	0.00	0.00
Commercial fertilizer / Other	48.00	48.00	48.00	0.00
Dry manure	0.00	0.00	0.00	0.00
Process wastewater	0.00	0.00	0.00	0.00
Fresh water	0.00	0.00	0.00	329.03
Atmospheric deposition	14.00	0.00	0.00	0.00
Total nutrients applied	62.00	48.00	48.00	329.03
Anticipated crop nutrient removal	193.50	32.85	209.25	0.00
Actual crop nutrient removal	0.00	0.00	0.00	0.00
Nutrient balance	62.00	48.00	48.00	329.03
Applied to removed ratio	0.00	0.00	0.00	0.00

Fresh water applied	
9,590,700.00	*gallons*
353.19	*acre-inches*
39.24	*inches/acre*

Process wastewater applied	
0.00	*gallons*
0.00	*acre-inches*
0.00	*inches/acre*

Total harvests for the crop	
1	*harvests*

Field 11 - 01/25/2022: Almond, in shell

Field name: Field 11 Crop: Almond, in shell Plant date: 01/25/2022

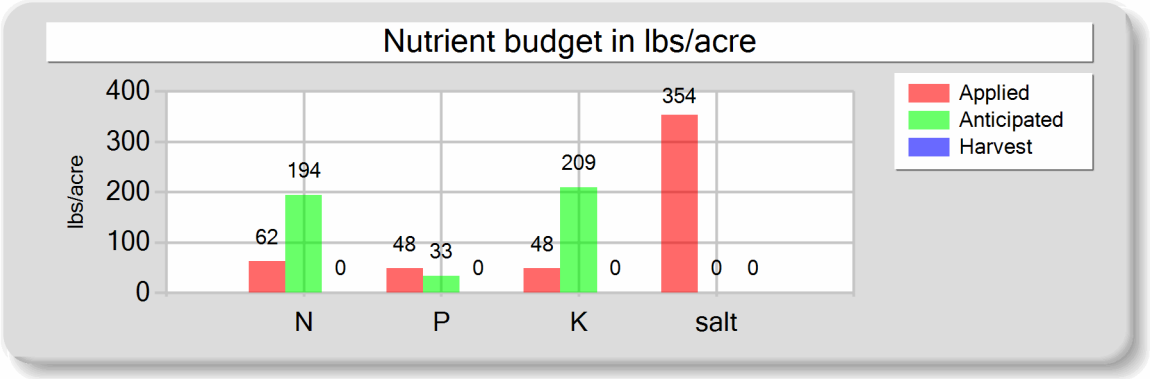

	Total N (lbs/acre)	Total P (lbs/acre)	Total K (lbs/acre)	Total salt (lbs/acre)
Existing soil nutrient content	0.00	0.00	0.00	0.00
Plowdown credit	0.00	0.00	0.00	0.00
Commercial fertilizer / Other	48.00	48.00	48.00	0.00
Dry manure	0.00	0.00	0.00	0.00
Process wastewater	0.00	0.00	0.00	0.00
Fresh water	0.00	0.00	0.00	353.63
Atmospheric deposition	14.00	0.00	0.00	0.00
Total nutrients applied	62.00	48.00	48.00	353.63
Anticipated crop nutrient removal	193.50	32.85	209.25	0.00
Actual crop nutrient removal	0.00	0.00	0.00	0.00
Nutrient balance	62.00	48.00	48.00	353.63
Applied to removed ratio	0.00	0.00	0.00	0.00

Fresh water applied	
6,871,800.00	*gallons*
253.07	*acre-inches*
42.18	*inches/acre*

Process wastewater applied	
0.00	*gallons*
0.00	*acre-inches*
0.00	*inches/acre*

Total harvests for the crop	
1	*harvests*

Field 12 - 01/28/2010: Almond, in shell

Field name: Field 12 Crop: Almond, in shell Plant date: 01/28/2010

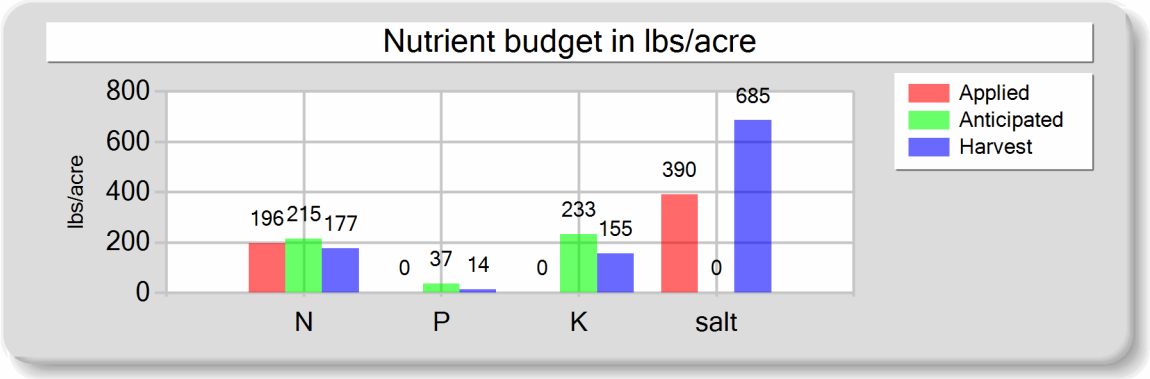

	Total N (lbs/acre)	Total P (lbs/acre)	Total K (lbs/acre)	Total salt (lbs/acre)
Existing soil nutrient content	0.00	0.00	0.00	0.00
Plowdown credit	0.00	0.00	0.00	0.00
Commercial fertilizer / Other	182.20	0.00	0.00	0.00
Dry manure	0.00	0.00	0.00	0.00
Process wastewater	0.00	0.00	0.00	0.00
Fresh water	0.00	0.00	0.00	389.96
Atmospheric deposition	14.00	0.00	0.00	0.00
Total nutrients applied	196.20	0.00	0.00	389.96
Anticipated crop nutrient removal	215.00	36.50	232.50	0.00
Actual crop nutrient removal	176.89	13.68	155.29	684.98
Nutrient balance	19.31	-13.68	-155.29	-295.02
Applied to removed ratio	1.11	0.00	0.00	0.57

Fresh water applied	
23,996,250.00	*gallons*
883.70	*acre-inches*
46.51	*inches/acre*

Process wastewater applied	
0.00	*gallons*
0.00	*acre-inches*
0.00	*inches/acre*

Total harvests for the crop	
1	*harvests*

Field 2 - 10/31/2022: Oats, silage-soft dough

Field name: Field 2 Crop: Oats, silage-soft dough Plant date: 10/31/2022

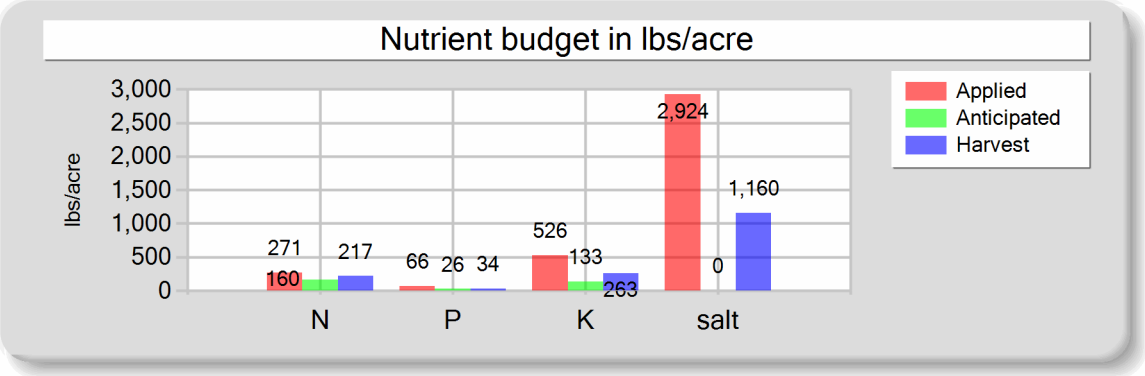

	Total N (lbs/acre)	Total P (lbs/acre)	Total K (lbs/acre)	Total salt (lbs/acre)
Existing soil nutrient content	0.00	0.00	0.00	0.00
Plowdown credit	0.00	0.00	0.00	0.00
Commercial fertilizer / Other	0.00	0.00	0.00	0.00
Dry manure	0.00	0.00	0.00	0.00
Process wastewater	263.89	66.46	526.14	2,840.62
Fresh water	0.00	0.00	0.00	83.19
Atmospheric deposition	7.00	0.00	0.00	0.00
Total nutrients applied	270.89	66.46	526.14	2,923.81
Anticipated crop nutrient removal	160.00	25.60	132.80	0.00
Actual crop nutrient removal	217.34	33.67	263.00	1,160.48
Nutrient balance	53.55	32.79	263.13	1,763.33
Applied to removed ratio	1.25	1.97	2.00	2.52

Fresh water applied	
4,860,000.00	*gallons*
178.98	*acre-inches*
4.59	*inches/acre*

Process wastewater applied	
2,403,540.00	*gallons*
88.51	*acre-inches*
2.27	*inches/acre*

Total harvests for the crop	
1	*harvests*

Field 2 - 06/10/2023: Corn, silage

Field name: Field 2 Crop: Corn, silage Plant date: 06/10/2023

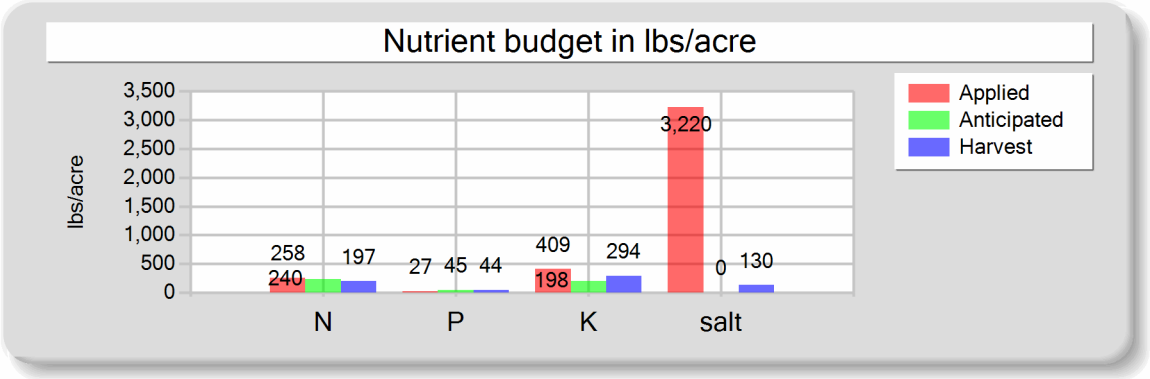

	Total N (lbs/acre)	Total P (lbs/acre)	Total K (lbs/acre)	Total salt (lbs/acre)
Existing soil nutrient content	0.00	0.00	0.00	0.00
Plowdown credit	0.00	0.00	0.00	0.00
Commercial fertilizer / Other	0.00	0.00	0.00	0.00
Dry manure	0.00	0.00	0.00	0.00
Process wastewater	251.35	26.78	408.90	2,950.48
Fresh water	0.00	0.00	0.00	269.34
Atmospheric deposition	7.00	0.00	0.00	0.00
Total nutrients applied	258.35	26.78	408.90	3,219.82
Anticipated crop nutrient removal	240.00	45.00	198.00	0.00
Actual crop nutrient removal	197.24	44.37	293.70	130.40
Nutrient balance	61.11	-17.59	115.20	3,089.42
Applied to removed ratio	1.31	0.60	1.39	24.69

Fresh water applied	
34,020,000.00	*gallons*
1,252.84	*acre-inches*
32.12	*inches/acre*

Process wastewater applied	
1,873,500.00	*gallons*
68.99	*acre-inches*
1.77	*inches/acre*

Total harvests for the crop	
1	*harvests*

Field 3 - 02/05/2014: Almond, in shell

Field name: Field 3 Crop: Almond, in shell Plant date: 02/05/2014

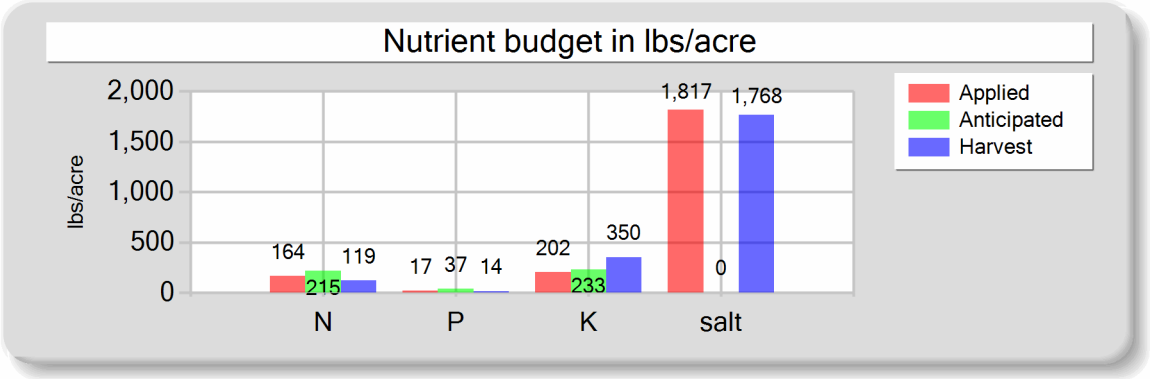

	Total N (lbs/acre)	Total P (lbs/acre)	Total K (lbs/acre)	Total salt (lbs/acre)
Existing soil nutrient content	0.00	0.00	0.00	0.00
Plowdown credit	0.00	0.00	0.00	0.00
Commercial fertilizer / Other	29.75	0.00	0.00	0.00
Dry manure	0.00	0.00	0.00	0.00
Process wastewater	119.76	17.46	202.35	1,401.07
Fresh water	0.00	0.00	0.00	416.30
Atmospheric deposition	14.00	0.00	0.00	0.00
Total nutrients applied	163.51	17.46	202.35	1,817.36
Anticipated crop nutrient removal	215.00	36.50	232.50	0.00
Actual crop nutrient removal	118.57	13.96	349.58	1,768.22
Nutrient balance	44.94	3.51	-147.22	49.15
Applied to removed ratio	1.38	1.25	0.58	1.03

Fresh water applied	
44,752,500.00	*gallons*
1,648.08	*acre-inches*
41.20	*inches/acre*

Process wastewater applied	
999,200.00	*gallons*
36.80	*acre-inches*
0.92	*inches/acre*

Total harvests for the crop	
1	*harvests*

Field 6 - 02/03/2006: Almond, in shell

Field name: Field 6 Crop: Almond, in shell Plant date: 02/03/2006

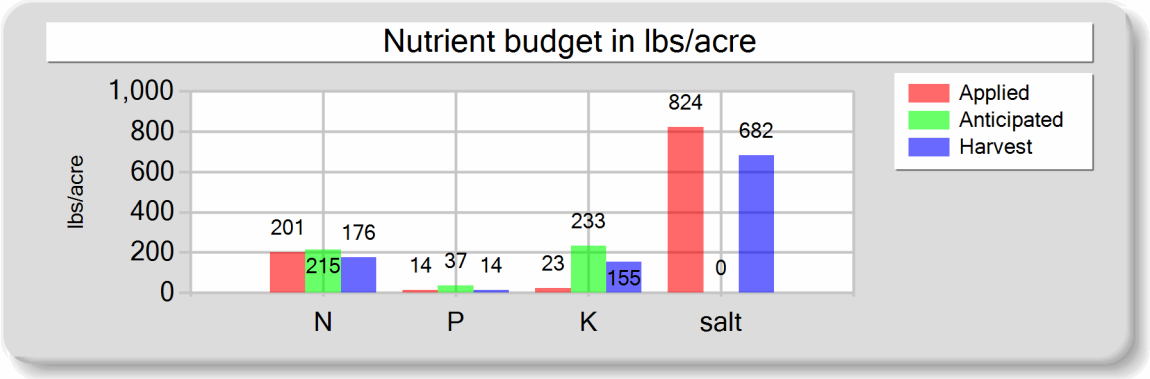

	Total N (lbs/acre)	Total P (lbs/acre)	Total K (lbs/acre)	Total salt (lbs/acre)
Existing soil nutrient content	0.00	0.00	0.00	0.00
Plowdown credit	0.00	0.00	0.00	0.00
Commercial fertilizer / Other	139.70	0.00	0.00	0.00
Dry manure	47.55	13.57	22.86	376.74
Process wastewater	0.00	0.00	0.00	0.00
Fresh water	0.00	0.00	0.00	446.96
Atmospheric deposition	14.00	0.00	0.00	0.00
Total nutrients applied	201.25	13.57	22.86	823.70
Anticipated crop nutrient removal	215.00	36.50	232.50	0.00
Actual crop nutrient removal	176.23	13.63	154.72	682.45
Nutrient balance	25.02	-0.06	-131.86	141.26
Applied to removed ratio	1.14	1.00	0.15	1.21

Fresh water applied	
31,448,550.00	*gallons*
1,158.14	*acre-inches*
44.54	*inches/acre*

Process wastewater applied	
0.00	*gallons*
0.00	*acre-inches*
0.00	*inches/acre*

Total harvests for the crop	
1	*harvests*

Field 7 - 02/03/2006: Almond, in shell

Field name: Field 7 Crop: Almond, in shell Plant date: 02/03/2006

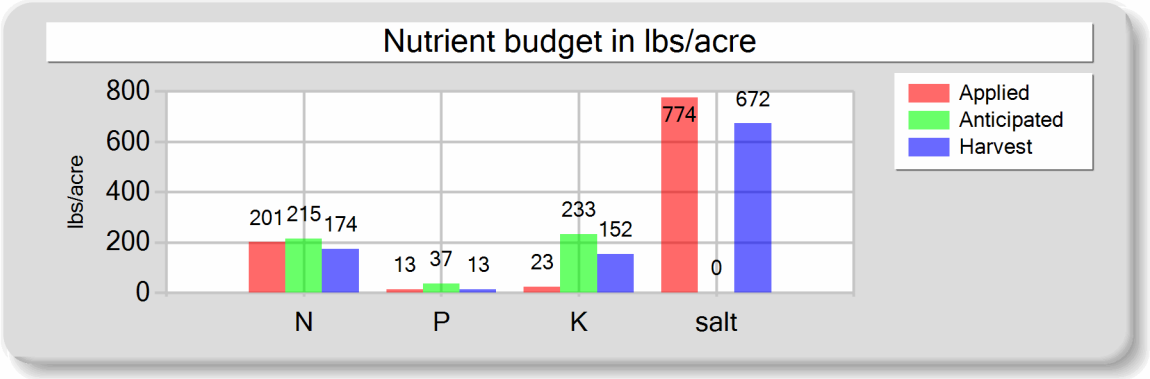

	Total N (lbs/acre)	Total P (lbs/acre)	Total K (lbs/acre)	Total salt (lbs/acre)
Existing soil nutrient content	0.00	0.00	0.00	0.00
Plowdown credit	0.00	0.00	0.00	0.00
Commercial fertilizer / Other	139.70	0.00	0.00	0.00
Dry manure	47.10	13.44	22.64	373.15
Process wastewater	0.00	0.00	0.00	0.00
Fresh water	0.00	0.00	0.00	401.29
Atmospheric deposition	14.00	0.00	0.00	0.00
Total nutrients applied	200.80	13.44	22.64	774.45
Anticipated crop nutrient removal	215.00	36.50	232.50	0.00
Actual crop nutrient removal	173.60	13.42	152.40	672.23
Nutrient balance	27.20	0.02	-129.76	102.21
Applied to removed ratio	1.16	1.00	0.15	1.15

Fresh water applied	
36,390,900.00	*gallons*
1,340.15	*acre-inches*
47.86	*inches/acre*

Process wastewater applied	
0.00	*gallons*
0.00	*acre-inches*
0.00	*inches/acre*

Total harvests for the crop	
1	*harvests*

Field 8 - 05/28/2023: Corn, silage

Field name: Field 8 Crop: Corn, silage Plant date: 05/28/2023

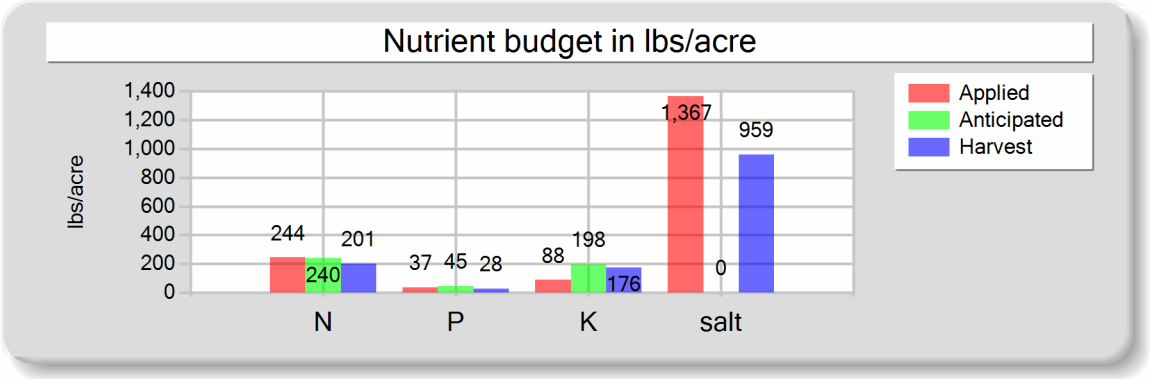

	Total N (lbs/acre)	Total P (lbs/acre)	Total K (lbs/acre)	Total salt (lbs/acre)
Existing soil nutrient content	0.00	0.00	0.00	0.00
Plowdown credit	0.00	0.00	0.00	0.00
Commercial fertilizer / Other	56.00	0.00	0.00	0.00
Dry manure	174.35	36.80	87.73	1,092.01
Process wastewater	0.00	0.00	0.00	0.00
Fresh water	0.00	0.00	0.00	275.11
Atmospheric deposition	14.00	0.00	0.00	0.00
Total nutrients applied	244.35	36.80	87.73	1,367.12
Anticipated crop nutrient removal	240.00	45.00	198.00	0.00
Actual crop nutrient removal	200.62	27.81	175.76	958.70
Nutrient balance	43.74	8.98	-88.03	408.42
Applied to removed ratio	1.22	1.32	0.50	1.43

Fresh water applied	
31,185,000.00	*gallons*
1,148.44	*acre-inches*
32.81	*inches/acre*

Process wastewater applied	
0.00	*gallons*
0.00	*acre-inches*
0.00	*inches/acre*

Total harvests for the crop	
1	*harvests*

Honeycutt - 11/01/2022: Oats, silage-soft dough

Field name: Honeycutt | Crop: Oats, silage-soft dough | Plant date: 11/01/2022

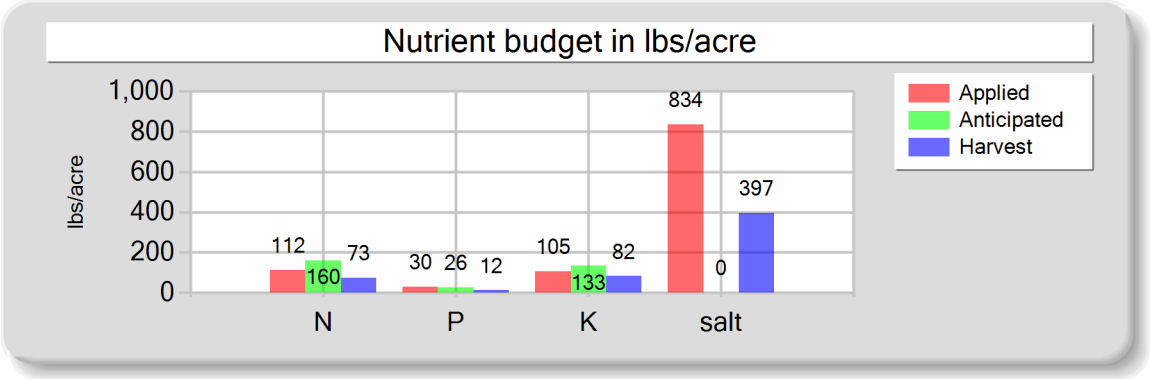

	Total N (lbs/acre)	Total P (lbs/acre)	Total K (lbs/acre)	Total salt (lbs/acre)
Existing soil nutrient content	0.00	0.00	0.00	0.00
Plowdown credit	0.00	0.00	0.00	0.00
Commercial fertilizer / Other	0.00	0.00	0.00	0.00
Dry manure	105.31	30.06	105.31	834.41
Process wastewater	0.00	0.00	0.00	0.00
Fresh water	0.00	0.00	0.00	0.00
Atmospheric deposition	7.00	0.00	0.00	0.00
Total nutrients applied	112.31	30.06	105.31	834.41
Anticipated crop nutrient removal	160.00	25.60	132.80	0.00
Actual crop nutrient removal	73.14	11.90	81.65	396.55
Nutrient balance	39.18	18.16	23.66	437.87
Applied to removed ratio	1.54	2.53	1.29	2.10

Fresh water applied
0.00 *gallons*
0.00 *acre-inches*
0.00 *inches/acre*

Process wastewater applied
0.00 *gallons*
0.00 *acre-inches*
0.00 *inches/acre*

Total harvests for the crop
1 *harvests*

Honeycutt - 06/10/2023: Corn, silage

Field name: Honeycutt Crop: Corn, silage Plant date: 06/10/2023

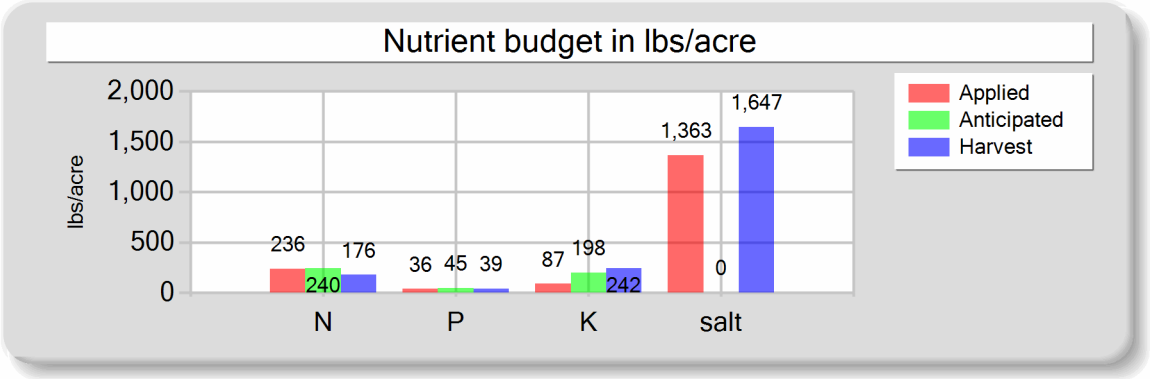

	Total N (lbs/acre)	Total P (lbs/acre)	Total K (lbs/acre)	Total salt (lbs/acre)
Existing soil nutrient content	0.00	0.00	0.00	0.00
Plowdown credit	0.00	0.00	0.00	0.00
Commercial fertilizer / Other	56.00	0.00	0.00	0.00
Dry manure	172.71	36.45	86.90	1,081.71
Process wastewater	0.00	0.00	0.00	0.00
Fresh water	0.00	0.00	0.00	281.36
Atmospheric deposition	7.00	0.00	0.00	0.00
Total nutrients applied	235.71	36.45	86.90	1,363.07
Anticipated crop nutrient removal	240.00	45.00	198.00	0.00
Actual crop nutrient removal	176.11	39.14	241.54	1,646.65
Nutrient balance	59.60	-2.69	-154.64	-283.58
Applied to removed ratio	1.34	0.93	0.36	0.83

Fresh water applied	
16,402,500.00	*gallons*
604.05	*acre-inches*
33.56	*inches/acre*

Process wastewater applied	
0.00	*gallons*
0.00	*acre-inches*
0.00	*inches/acre*

Total harvests for the crop	
1	*harvests*

NUTRIENT ANALYSES

A. MANURE ANALYSES

Separator Solids

Sample and source description: Separator Solids

Sample date: 10/14/2022 Material type: Separator solids Source of analysis: Lab analysis Method of reporting: Dry-weight

Moisture: 68.3 %

	Total N (mg/kg)	Total P (mg/kg)	Total K (mg/kg)	Calcium (mg/kg)	Magnesium (mg/kg)	Sodium (mg/kg)	Sulfur (mg/kg)	Chloride (mg/kg)	Total salt (mg/kg)	TFS (%)
Value	130,000.00	3,710.00	6,250.00	0.00	0.00	0.00	0.00	0.00		10.30
DL	100.00	100.00	100.00	100.00	100.00	100.00	100.00	50.00		0.01

Corral Solids

Sample and source description: Corral Solids

Sample date: 05/19/2023 Material type: Corral solids Source of analysis: Lab analysis Method of reporting: Dry-weight

Moisture: 33.8 %

	Total N (mg/kg)	Total P (mg/kg)	Total K (mg/kg)	Calcium (mg/kg)	Magnesium (mg/kg)	Sodium (mg/kg)	Sulfur (mg/kg)	Chloride (mg/kg)	Total salt (mg/kg)	TFS (%)
Value	16,700.00	9,130.00	29,700.00	0.00	0.00	0.00	0.00	0.00		66.30
DL	100.00	100.00	100.00	100.00	100.00	100.00	100.00	50.00		0.01

Separator Solids

Sample and source description: Separator Solids

Sample date: 05/19/2023 Material type: Separator solids Source of analysis: Lab analysis Method of reporting: Dry-weight

Moisture: 69.7 %

	Total N (mg/kg)	Total P (mg/kg)	Total K (mg/kg)	Calcium (mg/kg)	Magnesium (mg/kg)	Sodium (mg/kg)	Sulfur (mg/kg)	Chloride (mg/kg)	Total salt (mg/kg)	TFS (%)
Value	19,000.00	4,010.00	9,560.00	0.00	0.00	0.00	0.00	0.00		11.90
DL	100.00	100.00	100.00	100.00	100.00	100.00	100.00	50.00		0.01

Corral Solids

Sample and source description: Corral Solids

Sample date: 10/23/2023 Material type: Corral solids Source of analysis: Lab analysis Method of reporting: Dry-weight

Moisture: 5.7 %

	Total N (mg/kg)	Total P (mg/kg)	Total K (mg/kg)	Calcium (mg/kg)	Magnesium (mg/kg)	Sodium (mg/kg)	Sulfur (mg/kg)	Chloride (mg/kg)	Total salt (mg/kg)	TFS (%)
Value	12,600.00	781.00	24,800.00	0.00	0.00	0.00	0.00	0.00		47.00
DL	100.00	100.00	100.00	100.00	100.00	100.00	100.00	50.00		0.01

Separator Solids

Sample and source description: Separator Solids

Sample date: 10/23/2023 Material type: Separator solids Source of analysis: Lab analysis Method of reporting: Dry-weight

Moisture: 73.8 %

	Total N (mg/kg)	Total P (mg/kg)	Total K (mg/kg)	Calcium (mg/kg)	Magnesium (mg/kg)	Sodium (mg/kg)	Sulfur (mg/kg)	Chloride (mg/kg)	Total salt (mg/kg)	TFS (%)
Value	6,800.00	2,540.00	3,830.00	0.00	0.00	0.00	0.00	0.00		8.00
DL	100.00	100.00	100.00	100.00	100.00	100.00	100.00	50.00		0.01

B. PROCESS WASTEWATER ANALYSES

Slurry

Sample and source description: Slurry

Sample date: 09/14/2022 Material type: Process wastewater sludge Source of analysis: Lab analysis pH: 0.00

	Kjeldahl-N (mg/L)	NH4-N (mg/L)	NH3-N (mg/L)	Nitrate-N (mg/L)	Total P (mg/L)	Total K (mg/L)	Calcium (mg/L)	Magnes. (mg/L)	Sodium (mg/L)	Bicarb. (mg/L)	Carb. (mg/L)	Sulfate (mg/L)	Chloride (mg/L)	EC (µmhos/cm)	TDS (mg/L)
Value	547.00	0.00	0.00	0.00	217.00	783.00	0.00	0.00	0.00	0.00	0.00	0.00	0.00	6,600.00	5,800
DL	0.50	0.50	0.50	0.50	0.50	0.50	0.50	0.50	0.50	0.50	2.00	1.00	0.10	1.00	10

WWQ1

Sample and source description: WWQ1

Sample date: 02/10/2023 Material type: Process wastewater Source of analysis: Lab analysis pH: 0.00

	Kjeldahl-N (mg/L)	NH4-N (mg/L)	NH3-N (mg/L)	Nitrate-N (mg/L)	Total P (mg/L)	Total K (mg/L)	Calcium (mg/L)	Magnes. (mg/L)	Sodium (mg/L)	Bicarb. (mg/L)	Carb. (mg/L)	Sulfate (mg/L)	Chloride (mg/L)	EC (µmhos/cm)	TDS (mg/L)
Value	498.00	305.00	0.00	0.00	90.10	1,130.00	0.00	0.00	0.00	0.00	0.00	0.00	0.00	7,900.00	5,400
DL	0.50	0.50	0.50	0.50	0.50	0.50	0.50	0.50	0.50	0.50	2.00	1.00	0.10	1.00	10

WWQ2

Sample and source description: WWQ2

Sample date: 06/02/2023 Material type: Process wastewater Source of analysis: Lab analysis pH: 0.00

	Kjeldahl-N (mg/L)	NH4-N (mg/L)	NH3-N (mg/L)	Nitrate-N (mg/L)	Total P (mg/L)	Total K (mg/L)	Calcium (mg/L)	Magnes. (mg/L)	Sodium (mg/L)	Bicarb. (mg/L)	Carb. (mg/L)	Sulfate (mg/L)	Chloride (mg/L)	EC (µmhos/cm)	TDS (mg/L)
Value	627.00	403.00	0.00	0.00	66.80	1,020.00	209.00	114.00	440.00	3,940.00	0.00	297.00	772.00	8,680.00	7,360
DL	0.50	0.50	0.50	0.50	0.50	0.50	0.50	0.50	0.50	0.50	2.00	1.00	0.10	1.00	10

WWQ3

Sample and source description: WWQ3

Sample date: 07/27/2023 Material type: Process wastewater Source of analysis: Lab analysis pH: 0.00

	Kjeldahl-N (mg/L)	NH4-N (mg/L)	NH3-N (mg/L)	Nitrate-N (mg/L)	Total P (mg/L)	Total K (mg/L)	Calcium (mg/L)	Magnes. (mg/L)	Sodium (mg/L)	Bicarb. (mg/L)	Carb. (mg/L)	Sulfate (mg/L)	Chloride (mg/L)	EC (µmhos/cm)	TDS (mg/L)
Value	1,480.00	557.00	0.00	0.00	67.80	2,050.00	0.00	0.00	0.00	0.00	0.00	0.00	0.00	10,500.00	10,400
DL	0.50	0.50	0.50	0.50	0.50	0.50	0.50	0.50	0.50	0.50	2.00	1.00	0.10	1.00	10

WWQ4

Sample and source description: WWQ4

Sample date: 10/27/2023 Material type: Process wastewater Source of analysis: Lab analysis pH: 0.00

	Kjeldahl-N (mg/L)	NH4-N (mg/L)	NH3-N (mg/L)	Nitrate-N (mg/L)	Total P (mg/L)	Total K (mg/L)	Calcium (mg/L)	Magnes. (mg/L)	Sodium (mg/L)	Bicarb. (mg/L)	Carb. (mg/L)	Sulfate (mg/L)	Chloride (mg/L)	EC (µmhos/cm)	TDS (mg/L)
Value	269.00	193.00	0.00	0.00	75.10	442.00	0.00	0.00	0.00	0.00	0.00	0.00	0.00	4,940.00	3,080
DL	0.50	0.50	0.50	0.50	0.50	0.50	0.50	0.50	0.50	0.50	2.00	1.00	0.10	1.00	10

C. FRESH WATER ANALYSES

Irrigation Well

Irrigation Well

Sample description: Irrigation Well

Sample date: 10/23/2023 Source of analysis: Lab analysis

	Total N (mg/L)	NH4-N (mg/L)	Nitrate-N (mg/L)	Calcium (mg/L)	Magnesium (mg/L)	Sodium (mg/L)	Bicarbonate (mg/L)	Carbonate (mg/L)	Sulfate (mg/L)	Chloride (mg/L)	EC (µmhos/cm)	TDS (mg/L)
Value	73.40	0.00	0.00	0.00	0.00	0.00	0.00	0.00	0.00	0.00	2,010.00	1,190
DL	0.50	0.50	0.50	0.50	0.50	0.50	0.50	2.00	1.00	0.10	1.00	10

MID Lateral 5

MID Lateral 5

Sample description: MID Lateral 5

Sample date: 07/25/2023 Source of analysis: Lab analysis

	Total N (mg/L)	NH4-N (mg/L)	Nitrate-N (mg/L)	Calcium (mg/L)	Magnesium (mg/L)	Sodium (mg/L)	Bicarbonate (mg/L)	Carbonate (mg/L)	Sulfate (mg/L)	Chloride (mg/L)	EC (µmhos/cm)	TDS (mg/L)
Value	0.00	0.00	0.00								38.10	37
DL	1.00	1.00	1.00								10.00	10

D. SOIL ANALYSES

Field 1

Soil

Sample and source description: Soil

Sample date: 01/01/2023 Source of analysis: Lab analysis

	Nitrate-N (mg/kg)	Total P (mg/kg)	Soluble P (mg/kg)	K (mg/kg)	EC (µmhos/cm)	Organic matter (%)	Total salt (mg/kg)
Value			211.00				
DL			7.60				

Field 10

Soil

Sample and source description: Soil

Sample date: 01/01/2023 Source of analysis: Lab analysis

	Nitrate-N (mg/kg)	Total P (mg/kg)	Soluble P (mg/kg)	K (mg/kg)	EC (µmhos/cm)	Organic matter (%)	Total salt (mg/kg)
Value			179.00				
DL			7.60				

Field 11

Soil

Sample and source description: Soil

Sample date: 01/01/2023 Source of analysis: Lab analysis

	Nitrate-N (mg/kg)	Total P (mg/kg)	Soluble P (mg/kg)	K (mg/kg)	EC (µmhos/cm)	Organic matter (%)	Total salt (mg/kg)
Value			179.00				
DL			7.60				

Field 12

Soil

Sample and source description: Soil

Sample date: 01/01/2023 Source of analysis: Lab analysis

	Nitrate-N (mg/kg)	Total P (mg/kg)	Soluble P (mg/kg)	K (mg/kg)	EC (µmhos/cm)	Organic matter (%)	Total salt (mg/kg)
Value			148.00				
DL			7.60				

Field 2

Field 2

Soil

Sample and source description: Soil

Sample date: 01/01/2023 Source of analysis: Lab analysis

	Nitrate-N (mg/kg)	Total P (mg/kg)	Soluble P (mg/kg)	K (mg/kg)	EC (µmhos/cm)	Organic matter (%)	Total salt (mg/kg)
Value			206.00				
DL			7.60				

Field 3

Soil

Sample and source description: Soil

Sample date: 01/01/2023 Source of analysis: Lab analysis

	Nitrate-N (mg/kg)	Total P (mg/kg)	Soluble P (mg/kg)	K (mg/kg)	EC (µmhos/cm)	Organic matter (%)	Total salt (mg/kg)
Value			213.00				
DL			7.60				

Field 6

Soil

Sample and source description: Soil

Sample date: 01/01/2023 Source of analysis: Lab analysis

	Nitrate-N (mg/kg)	Total P (mg/kg)	Soluble P (mg/kg)	K (mg/kg)	EC (µmhos/cm)	Organic matter (%)	Total salt (mg/kg)
Value			154.00				
DL			7.60				

Field 7

Field 7

Soil

Sample and source description: Soil

Sample date: 01/01/2023 Source of analysis: Lab analysis

	Nitrate-N (mg/kg)	Total P (mg/kg)	Soluble P (mg/kg)	K (mg/kg)	EC (µmhos/cm)	Organic matter (%)	Total salt (mg/kg)
Value			174.00				
DL			7.60				

Field 8

Soil

Sample and source description: Soil

Sample date: 01/01/2023 Source of analysis: Lab analysis

	Nitrate-N (mg/kg)	Total P (mg/kg)	Soluble P (mg/kg)	K (mg/kg)	EC (µmhos/cm)	Organic matter (%)	Total salt (mg/kg)
Value			198.00				
DL			7.60				

Honeycutt

Soil

Sample and source description: Soil

Sample date: 01/01/2023 Source of analysis: Lab analysis

	Nitrate-N (mg/kg)	Total P (mg/kg)	Soluble P (mg/kg)	K (mg/kg)	EC (µmhos/cm)	Organic matter (%)	Total salt (mg/kg)
Value			152.00				
DL			7.60				

E. PLANT TISSUE ANALYSES

Field 1 - 10/31/2022: Oats, silage-soft dough

Field 1 - 10/31/2022: Oats, silage-soft dough

Forage

Sample and source description: Forage

Sample date: 05/16/2023 Source of analysis: Lab analysis Method of reporting: As-is

Moisture: 69.8 %

	Total N (mg/kg)	Total P (mg/kg)	Total K (mg/kg)	Total salt (mg/kg)	TFS (%)
Value	6,310.00	1,060.00	8,880.00		10.90
DL	100.00	100.00	100.00		0.01

Field 1 - 06/10/2023: Corn, silage

Corn Silage

Sample and source description: Corn Silage

Sample date: 10/06/2023 Source of analysis: Lab analysis Method of reporting: As-is

Moisture: 64.4 %

	Total N (mg/kg)	Total P (mg/kg)	Total K (mg/kg)	Total salt (mg/kg)	TFS (%)
Value	4,520.00	980.00	5,790.00		6.30
DL	100.00	100.00	100.00		0.01

Field 2 - 10/31/2022: Oats, silage-soft dough

Forage

Sample and source description: Forage

Sample date: 05/16/2023 Source of analysis: Lab analysis Method of reporting: As-is

Moisture: 66.2 %

	Total N (mg/kg)	Total P (mg/kg)	Total K (mg/kg)	Total salt (mg/kg)	TFS (%)
Value	6,520.00	1,010.00	7,890.00		10.30
DL	100.00	100.00	100.00		0.01

Field 2 - 06/10/2023: Corn, silage

Corn Silage

Sample and source description: Corn Silage

Sample date: 10/06/2023 Source of analysis: Lab analysis Method of reporting: As-is

Moisture: 66.2 %

	Total N (mg/kg)	Total P (mg/kg)	Total K (mg/kg)	Total salt (mg/kg)	TFS (%)
Value	4,090.00	920.00	6,090.00		0.80
DL	100.00	100.00	100.00		0.01

Field 3 - 02/05/2014: Almond, in shell

Almonds

Sample and source description: Almonds

Sample date: 09/18/2023 Source of analysis: Lab analysis Method of reporting: As-is

Moisture: 15.8 %

	Total N (mg/kg)	Total P (mg/kg)	Total K (mg/kg)	Total salt (mg/kg)	TFS (%)
Value	9,260.00	1,090.00	27,300.00		16.40
DL	100.00	100.00	100.00		0.01

Field 6 - 02/03/2006: Almond, in shell

Almonds

Sample and source description: Almonds

Sample date: 09/22/2023 Source of analysis: Lab analysis Method of reporting: As-is

Moisture: 13.5 %

	Total N (mg/kg)	Total P (mg/kg)	Total K (mg/kg)	Total salt (mg/kg)	TFS (%)
Value	17,200.00	1,330.00	15,100.00		7.70
DL	100.00	100.00	100.00		0.01

Field 7 - 02/03/2006: Almond, in shell

Almonds

Sample and source description: Almonds

Sample date: 09/22/2023 Source of analysis: Lab analysis Method of reporting: As-is

Moisture: 13.5 %

	Total N (mg/kg)	Total P (mg/kg)	Total K (mg/kg)	Total salt (mg/kg)	TFS (%)
Value	17,200.00	1,330.00	15,100.00		7.70
DL	100.00	100.00	100.00		0.01

Field 8 - 05/28/2023: Corn, silage

Corn Silage

Sample and source description: Corn Silage

Sample date: 09/22/2023 Source of analysis: Lab analysis Method of reporting: As-is

Moisture: 70.0 %

	Total N (mg/kg)	Total P (mg/kg)	Total K (mg/kg)	Total salt (mg/kg)	TFS (%)
Value	3,390.00	470.00	2,970.00		5.40
DL	100.00	100.00	100.00		0.01

Honeycutt - 11/01/2022: Oats, silage-soft dough

Forage

Sample and source description: Forage

Sample date: 05/16/2023 Source of analysis: Lab analysis Method of reporting: As-is

Moisture: 62.2 %

	Total N (mg/kg)	Total P (mg/kg)	Total K (mg/kg)	Total salt (mg/kg)	TFS (%)
Value	5,410.00	880.00	6,040.00		7.76
DL	100.00	100.00	100.00		0.01

Honeycutt - 06/10/2023: Corn, silage

Corn Silage

Sample and source description: Corn Silage

Sample date: 10/06/2023 Source of analysis: Lab analysis Method of reporting: As-is

Moisture: 69.4 %

	Total N (mg/kg)	Total P (mg/kg)	Total K (mg/kg)	Total salt (mg/kg)	TFS (%)
Value	2,880.00	640.00	3,950.00		8.80
DL	100.00	100.00	100.00		0.01

F. SUBSURFACE (TILE) DRAINAGE ANALYSES

No subsurface (tile) drainage analyses entered.

NUTRIENT APPLICATIONS, POTENTIAL REMOVAL, AND BALANCE

A. SUMMARY OF NUTRIENT APPLICATIONS, POTENTIAL REMOVAL, AND BALANCE

	Total N (lbs)	Total P (lbs)	Total K (lbs)	Total salt (lbs)
Existing soil nutrient content	0.00	0.00	0.00	0.00
Plowdown credit	0.00	0.00	0.00	0.00
Commercial fertilizer / Other	15,883.60	720.00	720.00	0.00
Dry manure	13,661.88	3,214.20	7,758.72	92,954.28
Process wastewater	45,146.23	8,006.57	81,216.97	509,699.48
Fresh water	0.00	0.00	0.00	94,327.31
Atmospheric deposition	3,640.00	0.00	0.00	0.00
Total nutrients applied	78,331.71	11,940.78	89,695.69	696,981.07
Anticipated crop nutrient removal	74,397.50	13,040.45	68,428.85	0.00
Actual crop nutrient removal	62,356.25	9,787.64	81,913.53	328,142.48
Nutrient balance	15,975.47	2,153.13	7,782.17	368,838.59
Applied to removed ratio	1.26	1.22	1.10	2.12

B. POUNDS OF NUTRIENT APPLIED VS. CROP REMOVAL

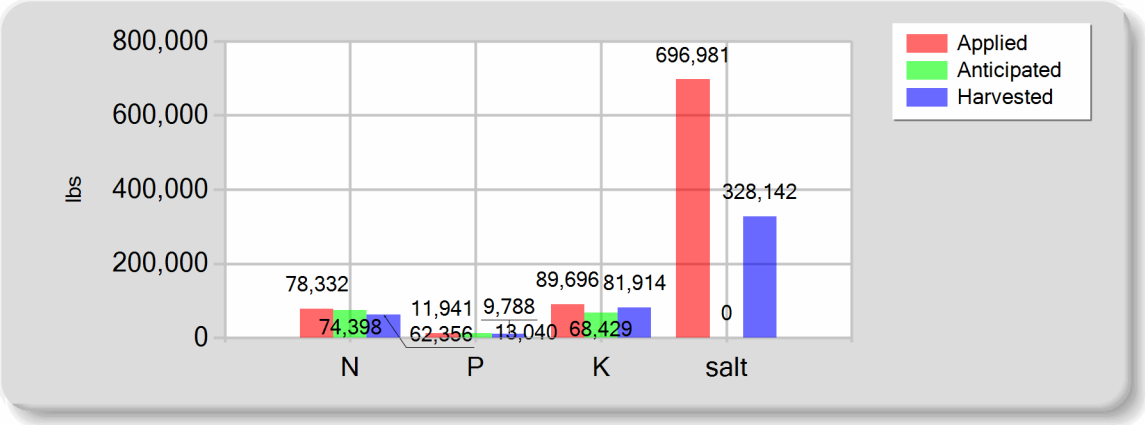

C. POUNDS OF NUTRIENT APPLIED BY MATERIAL TYPE

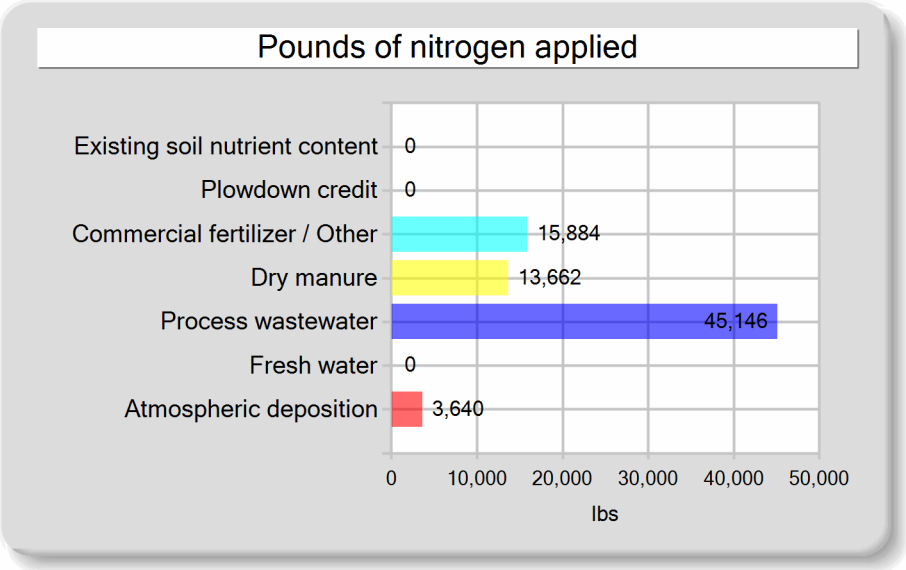

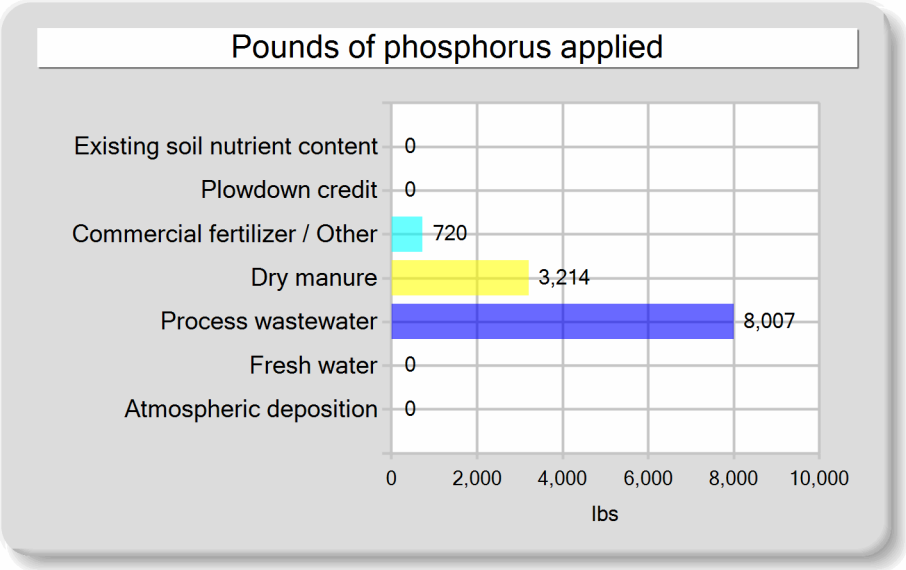

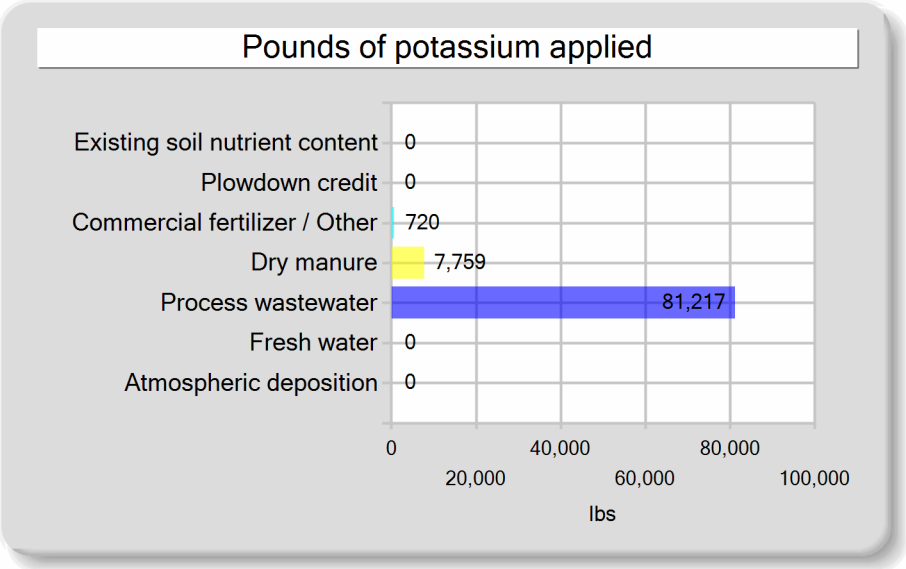

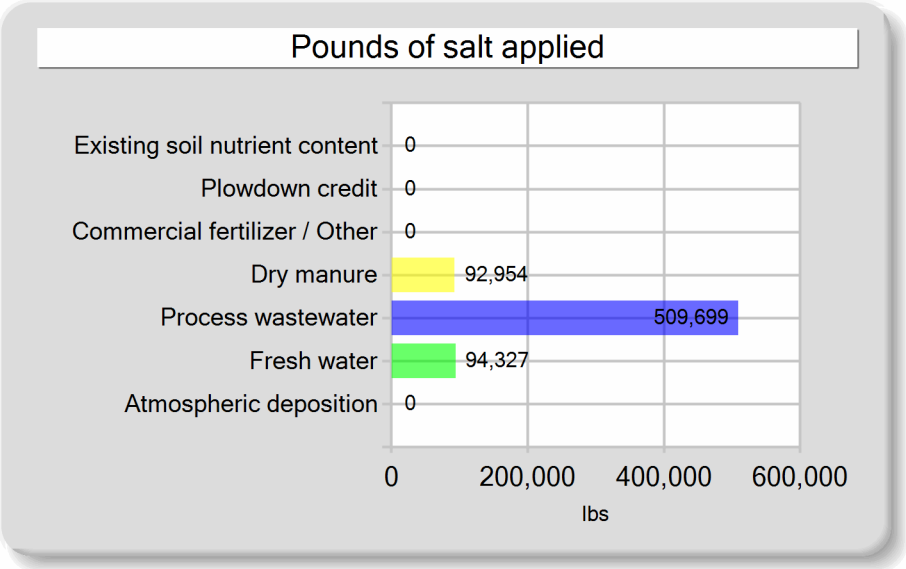

EXCEPTION REPORTING

A. MANURE, PROCESS WASTEWATER, AND OTHER DAIRY WASTE DISCHARGES

The following is a summary of all manure and process wastewater discharges from the production area to surface water or to land areas (land application areas or otherwise) when not in accordance with the facility's Nutrient Management Plan.

No manure or process wastewater discharges occurred during the reporting period.

B. STORM WATER DISCHARGES

The following is a summary of all storm water discharges from the production area to surface water during the reporting period when not in accordance with the facility 's Nutrient Management Plan.

No stormwater discharges occurred during the reporting period.

C. LAND APPLICATION AREA TO SURFACE WATER DISCHARGES

The following is a summary of all discharges from the land application area to surface water that have occurred during the reporting period when not in accordance with the facility's Nutrient Management Plan.

No land application area to surface water discharges occurred during the reporting period.

NUTRIENT MANAGEMENT PLAN AND EXPORT AGREEMENT STATEMENTS

A. NUTRIENT MANAGEMENT PLAN STATEMENTS

Was the facility's NMP updated in the reporting period?	Yes
Was the facility's NMP developed by a certified nutrient management planner (specialist) as specified in Attachment C of the General Order?	Yes
Was the facility's NMP approved by a certified nutrient management planner (specialist) as specified in Attachment C of the General Order?	Yes

B. EXPORT AGREEMENT STATEMENT

Are there any written agreements with third parties to receive manure or process wastewater that are new or were revised within the reporting period?	No

ADDITIONAL NOTES

A. NOTES

Honeycutt Field Oats (1.54) had a high nitrogen field ratio as field failed to meet anticipated nitrogen removal of 160 pounds/acre. The subject field was leased for the first time in 2023 by Diamond O Dairy in which the field had just come out of trees for the previous 25 years. The oat crop removed only 73.1 pounds of nitrogen/acre compared to the anticipated 160 pounds of nitrogen/acre as yield was only 6.8 tons/acre compared to the anticipated 16 ton/acre. Low yield can be attributed to a wet winter combined with the field just coming out of trees. Nitrogen application to the subject field in the form of solid manure was only 105 pounds/acre and was not considered excessive but in-line with that recommended in the dairy's nutrient management plan.

CERTIFICATION

A. OWNER AND/OR OPERATOR CERTIFICATION

I certify under penalty of law that I have personally examined and am familiar with the information submitted in this document and all attachments and that, based on my inquiry of those individuals immediately responsible for obtaining the information, I believe that the information is true, accurate, and complete. I am aware that there are significant penalties for submitting false information, including the possibility of fine and imprisonment.

Rosie Omlin	Fred Omlin
SIGNATURE OF OWNER OF FACILITY	SIGNATURE OF OPERATOR OF FACILITY
Rosie Omlin	Fred Omlin
PRINT OR TYPE NAME	PRINT OR TYPE NAME
5-6-24	5-6-24
DATE	DATE

ATTACHMENTS

A. REQUIRED ATTACHMENTS

The following lists the required documents that should be attached to the Annual Report when submitted .

Annual Dairy Facility Assessment
Provide an Annual Dairy Facility Assessment (an update to the Preliminary Dairy Facility Assessment in Attachment A) for each reporting period. On the PDFA Final page, click on the ADFA Report button to generate an ADFA report after updating information as needed .

Manure/Process Wastewater Tracking Manifests
Provide copies of all manure/process wastewater tracking manifests for the reporting period, signed by both the owner/operator and the hauler.

Corrective Actions Documents
Provide records documenting any corrective actions taken to correct deficiencies noted as a result of the inspections required in the Monitoring Requirements of the General Order. Deficiencies not corrected in 30 days must be accompanied by an explanation of the factors preventing immediate correction.

Groundwater Monitoring
Dischargers that monitor supply wells or subsurface (tile) drainage systems, or that have monitoring well systems must submit monitoring results as directed in the General Order, Groundwater Reporting Section starting on page MRP-13.

Storm Water Monitoring
Dischargers that are required to monitor storm water more frequently than required in the General Order must submit monitoring results as directed in the General Order, Storm Water Reporting Section on page MRP-14.

ATTACHMENT D

Manure/Process Wastewater Tracking Manifest
For
Existing Milk Cow Dairies

Instructions:

1) Complete one manifest for each hauling event, for each destination. A hauling event may last for several days, as long as the manure is being hauled to the same destination.
2) If there are multiple destinations, **complete a separate form for each destination.**
3) The operator must obtain the signature of the hauler upon completion of each manure-hauling event.
4) The operator shall submit copies of manure/process wastewater tracking manifest(s) with the Annual Monitoring Report for Existing Milk Cow Dairies.

Operator Information:

Name of Operator: Fred Omlin

Name of Dairy Facility: Diamond O Dairy

Facility Address: 2743 Baker Road (Number and Street) Modesto (City) 95358 (Zip Code)

Contact Person Name and Phone Number: Fred Omlin (Name) 209-531-7141 (Phone Number)

Manure/Process Wastewater Hauler Information:

Name of Hauling Company/Person: Diamond O Dairy

Address of Hauling Company /Person: 2743 Baker Road, Modesto, CA 95358 (Number and Street, City, Zip Code)

Contact Person: Fred Omlin (Name) 209-531-7141 (Phone Number)

Destination Information:

Composting Facility / Broker / Farmer / Other (identify) (please circle one)

Contact information of Composting Facility, Broker, Farmer, or Other (as identified above):

Fred and Susan Omlin, 2806 Baker Road (Number and Street) Modesto (City) 95358 (Zip Code) 209-522-3865 (Phone Number)

Manure/Process Wastewater Destination Address or Assessor's Parcel Number:

Stanislaus County - 0028-0001-0005-0000 (Assessor's Parcel Number)

Dates Hauled: 09/04/23 to 11/05/23

Amount Hauled:

Enter the amount of manure hauled in tons or cubic yards (indicate the units used), the manure solids content (if amount reported in tons) or manure density (if amount reported in cubic yards), and the method used to calculate the amount:

Manure: 200 Tons or Cubic Yards (indicate which units used)

Manure Solids Content (if amount reported in tons): 5.70% moisture

Manure Density (if amount reported in cubic yards):

Method used to determine amount of manure: _____

25 loads at 8 ton per load

Enter the amount of process wastewater hauled in gallons and the method used to determine the amount.

Process Wastewater: _____ Gallons

Method used to determine volume of process wastewater: _____

_____

Written Agreement:
Does the Operator have a written agreement (in compliance with Land Application Specification C.2 of Waste Discharge Requirements General Order No. R5-2007-0035) with any party that receives process wastewater from the Operator for its own use? (please check one)

____ Yes _____ No

If the answer is no, the Operator agrees to have such a written agreement with any such party for any process wastewater transferred after **31 December 2007** to such party.
_____ (Operator shall provide initials here to acknowledge this requirement).

Certification:
I declare under the penalty of law that I personally examined and am familiar with the information submitted in this document, and that based on my inquiry of those individuals immediately responsible for obtaining the information, I believe that the information is true, accurate, and complete. I am aware that there are significant penalties for submitting false information, including the possibility of a fine and imprisonment for knowing violations.

Operator's Signature: Fred Conlin Date: 5-6-24

Hauler's Signature: Fred Conlin Date: 5-6-24

ATTACHMENT D

Manure/Process Wastewater Tracking Manifest
For
Existing Milk Cow Dairies

Instructions:

1) Complete one manifest for each hauling event, for each destination. A hauling event may last for several days, as long as the manure is being hauled to the same destination.
2) If there are multiple destinations, **complete a separate form for each destination.**
3) The operator must obtain the signature of the hauler upon completion of each manure-hauling event.
4) The operator shall submit copies of manure/process wastewater tracking manifest(s) with the Annual Monitoring Report for Existing Milk Cow Dairies.

Operator Information:

Name of Operator: Fred Omlin

Name of Dairy Facility: Diamond O Dairy

Facility Address: 2743 Baker Road (Number and Street) Modesto (City) 95358 (Zip Code)

Contact Person Name and Phone Number: Fred Omlin (Name) 209-531-7141 (Phone Number)

Manure/Process Wastewater Hauler Information:

Name of Hauling Company/Person: Diamond O Dairy

Address of Hauling Company /Person: 2743 Baker Road, Modesto, CA 95358 (Number and Street, City, Zip Code)

Contact Person: Fred Omlin (Name) 209-531-7141 (Phone Number)

Destination Information:

Composting Facility / Broker / Farmer / Other (identify) (please circle one)

Contact information of Composting Facility, Broker, Farmer, or Other (as identified above):

Rosie Omlin Trust (Name) 2743 Baker Road (Number and Street) Modesto (City) 95358 (Zip Code) 209-522-3865 (Phone Number)

Manure/Process Wastewater Destination Address or Assessor's Parcel Number:

Stanislaus County - (Number and Street, City, Zip Code) 0028-0001-0003-0000 (Assessor's Parcel Number)

Dates Hauled: 9/07/23 to 11/05/23

Amount Hauled:

Enter the amount of manure hauled in tons or cubic yards (indicate the units used), the manure solids content (if amount reported in tons) or manure density (if amount reported in cubic yards), and the method used to calculate the amount:

Manure: 280 Tons or Cubic Yards (indicate which units used)

Manure Solids Content (if amount reported in tons): 5.70% moisture

Manure Density (if amount reported in cubic yards):

Method used to determine amount of manure: _____

35 loads at 8 ton per load

Enter the amount of process wastewater hauled in gallons and the method used to determine the amount.

Process Wastewater: _____ Gallons

Method used to determine volume of process wastewater: _____

_____

Written Agreement:
Does the Operator have a written agreement (in compliance with Land Application Specification C.2 of Waste Discharge Requirements General Order No. R5-2007-0035) with any party that receives process wastewater from the Operator for its own use? (please check one)

____ Yes ____ No

If the answer is no, the Operator agrees to have such a written agreement with any such party for any process wastewater transferred after **31 December 2007** to such party.
_____ (Operator shall provide initials here to acknowledge this requirement).

Certification:
I declare under the penalty of law that I personally examined and am familiar with the information submitted in this document, and that based on my inquiry of those individuals immediately responsible for obtaining the information, I believe that the information is true, accurate, and complete. I am aware that there are significant penalties for submitting false information, including the possibility of a fine and imprisonment for knowing violations.

Operator's Signature: Fred Omlin Date: 5-6-24

Hauler's Signature: Fred Omlin Date: 5-6-24

ATTACHMENT D

Manure/Process Wastewater Tracking Manifest
For
Existing Milk Cow Dairies

Instructions:

1) Complete one manifest for each hauling event, for each destination. A hauling event may last for several days, as long as the manure is being hauled to the same destination.
2) If there are multiple destinations, **complete a separate form for each destination.**
3) The operator must obtain the signature of the hauler upon completion of each manure-hauling event.
4) The operator shall submit copies of manure/process wastewater tracking manifest(s) with the Annual Monitoring Report for Existing Milk Cow Dairies.

Operator Information:

Name of Operator: Fred Omlin

Name of Dairy Facility: Diamond O Dairy

Facility Address: 2743 Baker Road (Number and Street) Modesto (City) 95358 (Zip Code)

Contact Person Name and Phone Number: Fred Omlin (Name) 209-531-7141 (Phone Number)

Manure/Process Wastewater Hauler Information:

Name of Hauling Company/Person: Avila Spreading Service

Address of Hauling Company /Person: PO Box 580742, Modesto, CA 95358 (Number and Street, City, Zip Code)

Contact Person: Lonnie Avila (Name) 209-595-7955 (Phone Number)

Destination Information:

Composting Facility / Broker / Farmer / Other (identify) (please circle one)

Contact information of Composting Facility, Broker, Farmer, or Other (as identified above):

Name	Number and Street	City	Zip Code	Phone Number
Carl Ott & Sons	2437 Baker Road	Modesto	95358	209-480-3042

Manure/Process Wastewater Destination Address or Assessor's Parcel Number:

Number and Street	City	Zip Code	Assessor's Parcel Number
2437 Baker Road, Modesto, CA 95358			Stanislaus County 017-037-005

Dates Hauled: 11/01/2023

Amount Hauled:

Enter the amount of manure hauled in tons or cubic yards (indicate the units used), the manure solids content (if amount reported in tons) or manure density (if amount reported in cubic yards), and the method used to calculate the amount:

Manure: 240 Tons or Cubic Yards (indicate which units used)

Manure Solids Content (if amount reported in tons): 5.70% moisture

Manure Density (if amount reported in cubic yards):

Method used to determine amount of manure: _____

24 loads at 10 ton per load

Enter the amount of process wastewater hauled in gallons and the method used to determine the amount.

Process Wastewater: _____ Gallons

Method used to determine volume of process wastewater: _____

_____

Written Agreement:
Does the Operator have a written agreement (in compliance with Land Application Specification C.2 of Waste Discharge Requirements General Order No. R5-2007-0035) with any party that receives process wastewater from the Operator for its own use? (please check one)

____ Yes _____ No

If the answer is no, the Operator agrees to have such a written agreement with any such party for any process wastewater transferred after **31 December 2007** to such party.
_____ (Operator shall provide initials here to acknowledge this requirement).

Certification:
I declare under the penalty of law that I personally examined and am familiar with the information submitted in this document, and that based on my inquiry of those individuals immediately responsible for obtaining the information, I believe that the information is true, accurate, and complete. I am aware that there are significant penalties for submitting false information, including the possibility of a fine and imprisonment for knowing violations.

Operator's Signature: Fred Conlin Date: 5-6-24

Hauler's Signature: _____ Date: _____

AVILA
PROFESSIONAL • RELIABLE • COURTEOUS
SPREADING SERVICE
P.O. Box 580742 Modesto, California 95358

Diamond O Dairy
2743 Baker Rd
Modesto, Ca. 95358

Date: 11-1-23
Terms: 10 Days
Fed ID: 77-0480211

Loads	Tons	Yards	Description	Cost
46	460	920	Excavated manure spread down the road. Honeycutt field	
8	80	160	Excavated manure spread across from dairy removed orchard	
24	240	480	Manure taken by Carl Ott And Sons	
78	**780**	**1560**		**Total:**

Past due after 10 days from date. If account unpaid within time permitted, customer agrees to pay interest at 18% per annum and attorney's fees if account is referred to an attorney or collection agency for collection.

Denele Analytical, Inc.

865 South Kilroy Avenue Turlock, CA 95380
Phone (209) 634-9055 - Fax (209) 634-9057

40 N. East Street, Woodland, CA 95776
Phone (530) 666-9056 - Fax (530) 666-9058

www.denelelabs.com

Compliance Analysis Report

Customer
Diamond O Dairy
2743 Baker Rd.
Modesto, CA 95358

Grower

Consultant:
F & R Ag Services
2857 Geer Rd. Ste A
Turlock, CA 95382

PURCHASE ORDER:
RECEIVED DATE: 10/23/23 8:00 AM
SUBMITTED BY: Sean
ANALYZED DATE: 10/23/23

Irrigation/ Ground Water (H1)
SOURCE: Well Water

Sample ID	Lab ID	Analyte	Method Ref	Result	Units
5448 Paradise	T3296001A	Electrical Conductivity (EC)	EPA 120.1 and	0.892	mmhos/cm
		Nitrate Nitrogen (NO3-N)	EPA 353.2	14.8	mg/L
		Ammonia Nitrogen (NH3-N)	SM 4500-NH3 D,C	< 0.500	mg/L
		Soluble Salts (SALT-SOL)	Calculation	571	mg/L

Laboratory Quality Control	LCS %	MS %	MSD %	RPD %
Ammonia Nitrogen (NH3-N)	92.4	96.4 (T3293019G)	97.6 (T3293019G)	1.23
Electrical Conductivity (EC)	94.3			1.20
Nitrate Nitrogen (NO3-N)	104			3.37

The warranty of Denele Analytical is limited to the accuracy of the analyses of the samples as received. Denele Analytical assumes no responsibility for which the customer uses our test results, nor liability for any other warranties, express or implied. These terms and conditions shall supercede any conflicting terms and conditions submitted on customer purchase orders or other forms submitted for work.

ELAP Certificate No.: 2714

Denele Analytical, Inc.

865 South Kilroy Avenue Turlock, CA 95380
Phone (209) 634-9055 - Fax (209) 634-9057

www.denelelabs.com

40 N. East Street, Woodland, CA 95776
Phone (530) 666-9056 - Fax (530) 666-9058

Compliance Analysis Report

Customer
Diamond O Dairy
2743 Baker Rd.
Modesto, CA 95358

Grower

Consultant:
F & R Ag Services
2857 Geer Rd. Ste A
Turlock, CA 95382

PURCHASE ORDER:
RECEIVED DATE: 10/23/23 8:00 AM
SUBMITTED BY: Sean
ANALYZED DATE: 10/23/23

Irrigation/ Ground Water (H1)
SOURCE: Well Water

Sample ID	Lab ID	Analyte	Method Ref	Result	Units
800 Garrison	T3296001B	Electrical Conductivity (EC)	EPA 120.1 and	0.806	mmhos/cm
		Nitrate Nitrogen (NO3-N)	EPA 353.2	19.2	mg/L
		Ammonia Nitrogen (NH3-N)	SM 4500-NH3 D,C	< 0.500	mg/L
		Soluble Salts (SALT-SOL)	Calculation	516	mg/L

Laboratory Quality Control	LCS %	MS %	MSD %	RPD %
Ammonia Nitrogen (NH3-N)	92.4	96.4 (T3293019G)	97.6 (T3293019G)	1.23
Electrical Conductivity (EC)	94.3			1.20
Nitrate Nitrogen (NO3-N)	104			3.37

The warranty of Denele Analytical is limited to the accuracy of the analyses of the samples as received. Denele Analytical assumes no responsibility for which the customer uses our test results, nor liability for any other warranties, express or implied. These terms and conditions shall supercede any conflicting terms and conditions submitted on customer purchase orders or other forms submitted for work.

Denele Analytical, Inc.

865 South Kilroy Avenue Turlock, CA 95380
Phone (209) 634-9055 - Fax (209) 634-9057

www.denelelabs.com

40 N. East Street, Woodland, CA 95776
Phone (530) 666-9056 - Fax (530) 666-9058

Compliance Analysis Report

Customer
Diamond O Dairy
2743 Baker Rd.
Modesto, CA 95358

Grower

Consultant:
F & R Ag Services
2857 Geer Rd. Ste A
Turlock, CA 95382

PURCHASE ORDER:
RECEIVED DATE: 10/23/23 8:00 AM
SUBMITTED BY: Sean
ANALYZED DATE: 10/23/23

Irrigation/ Ground Water (H1)
SOURCE: Well Water

Sample ID	Lab ID	Analyte	Method Ref	Result	Units
2743 Baker	T3296001C	Electrical Conductivity (EC)	EPA 120.1 and	1.40	mmhos/cm
		Nitrate Nitrogen (NO3-N)	EPA 353.2	38.0	mg/L
		Ammonia Nitrogen (NH3-N)	SM 4500-NH3 D,C	< 0.500	mg/L
		Soluble Salts (SALT-SOL)	Calculation	893	mg/L

Laboratory Quality Control	LCS %	MS %	MSD %	RPD %
Ammonia Nitrogen (NH3-N)	92.4	96.4 (T3293019G)	97.6 (T3293019G)	1.23
Electrical Conductivity (EC)	94.3			1.20
Nitrate Nitrogen (NO3-N)	104			3.37

The warranty of Denele Analytical is limited to the accuracy of the analyses of the samples as received. Denele Analytical assumes no responsibility for which the customer uses our test results, nor liability for any other warranties, express or implied. These terms and conditions shall supercede any conflicting terms and conditions submitted on customer purchase orders or other forms submitted for work.

Denele Analytical, Inc.

865 South Kilroy Avenue Turlock, CA 95380
Phone (209) 634-9055 - Fax (209) 634-9057

40 N. East Street, Woodland, CA 95776
Phone (530) 666-9056 - Fax (530) 666-9058

www.denelelabs.com

Compliance Analysis Report

Customer
Diamond O Dairy
2743 Baker Rd.
Modesto, CA 95358

Grower

Consultant:
F & R Ag Services
2857 Geer Rd. Ste A
Turlock, CA 95382

PURCHASE ORDER:
RECEIVED DATE: 10/23/23 8:00 AM
SUBMITTED BY: Sean
ANALYZED DATE: 10/23/23

Irrigation/ Ground Water (H1)
SOURCE: Well Water

Sample ID	Lab ID	Analyte	Method Ref	Result	Units
5018 Paradise	T3296001D	Electrical Conductivity (EC)	EPA 120.1 and	0.885	mmhos/cm
		Nitrate Nitrogen (NO3-N)	EPA 353.2	14.1	mg/L
		Ammonia Nitrogen (NH3-N)	SM 4500-NH3 D,C	< 0.500	mg/L
		Soluble Salts (SALT-SOL)	Calculation	566	mg/L

Laboratory Quality Control	LCS %	MS %	MSD %	RPD %
Ammonia Nitrogen (NH3-N)	92.4	96.4 (T3293019G)	97.6 (T3293019G)	1.23
Electrical Conductivity (EC)	94.3			1.20
Nitrate Nitrogen (NO3-N)	97.0	98.7 (T3296043A)	100 (T3296043A)	1.53

The warranty of Denele Analytical is limited to the accuracy of the analyses of the samples as received. Denele Analytical assumes no responsibility for which the customer uses our test results, nor liability for any other warranties, express or implied. These terms and conditions shall supercede any conflicting terms and conditions submitted on customer purchase orders or other forms submitted for work.

Denele Analytical, Inc.

865 South Kilroy Avenue Turlock, CA 95380
Phone (209) 634-9055 - Fax (209) 634-9057

40 N. East Street, Woodland, CA 95776
Phone (530) 666-9056 - Fax (530) 666-9058

www.denelelabs.com

Compliance Analysis Report

Customer
Diamond O Dairy
2743 Baker Rd.
Modesto, CA 95358

Grower

Consultant:
F & R Ag Services
2857 Geer Rd. Ste A
Turlock, CA 95382

PURCHASE ORDER:
RECEIVED DATE: 10/23/23 8:00 AM
SUBMITTED BY: Sean
ANALYZED DATE: 10/23/23

Irrigation / Ground Water (H7)
SOURCE: Irrigation Water

Sample ID	Lab ID	Analyte	Method Ref	Result	Units
Irrigation Well	T3296001E	Electrical Conductivity (EC)	EPA 120.1 and	2.01	mmhos/cm
		Ammonia Nitrogen (NH3-N)	SM 4500-NH3 D,C	< 0.500	mg/L
		Nitrate Nitrogen (NO3-N)	EPA 353.2	70.6	mg/L
		Total Dissolved Solids (TDS)	SM 2540 C-1997 and	1190	mg/L
		Total Nitrogen (TN)	SM 4500-NH3 D,C	73.4	mg/L
		Soluble Salts (SALT-SOL)	Calculation	1290	mg/L

Laboratory Quality Control	LCS %	MS %	MSD %	Sample mg/L	Dup mg/L	RPD %
Ammonia Nitrogen (NH3-N)	92.4	96.4 (T3293019G)	97.6 (T3293019G)			1.23
Electrical Conductivity (EC)	94.3			1.26 (T3293019G)	1.24 (Dup)	1.20
Nitrate Nitrogen (NO3-N)	97.0	98.7 (T3296043A)	100 (T3296043A)			1.53
Total Dissolved Solids (TDS)	93.5			1190 (T3296001E)	1150 (Dup)	3.43
Total Nitrogen (TN)	98.6			8.40 (T3291009B)	8.40 (null)	0.000

The warranty of Denele Analytical is limited to the accuracy of the analyses of the samples as received. Denele Analytical assumes no responsibility for which the customer uses our test results, nor liability for any other warranties, express or implied. These terms and conditions shall supercede any conflicting terms and conditions submitted on customer purchase orders or other forms submitted for work.

DENELE ANALYTICAL, INC.
865 S. KILROY ROAD
TURLOCK, CA 95380
PH# 209-634-9055 FAX# 209-634-9057

DAIRY COMPLIANCE

Client: DIAMOND O
Mailing address:
(not facility address) MODESTO CA
Phone#:

Authorized Copy Released To: F&R AG SERVICES
Sampled By: Sean Locke
Project ID:

ANALYSIS TO BE COMPLETED:

IRRIGATION/GROUND WATER
- H1 EC*, NO3-N, NH4-N*
- H6 EC, TN, TDS
- H7 Combination of H1 & H6
- H14 EC, NO3-N, NH4-N, Ca, Mg, Na, Bicarb Carb, SO4, Cl, TDS

PROCESS WASTE WATER
- H3 EC*, NH4-N, TKN, TP, K, TDS
- H4 EC*, NO3-N, NH4-N, TKN, TP, K, TDS
- H5 Ca, Mg, Na, Bicarb, Carb, SO4, Cl
- H8 Combination of H3 &H5
- H9 Combination of H4 &H5

TILE DRAIN
- H2 EC*, NO3-N, TP, NH4-N*, TDS

** Required Field Measurement*

___ (Check here if performed)

DISCHARGE WATER
- E1 EC*, Temp*, pH*, NO3-N, NH3-N, NH4-N, TKN, TP, K, TDS, Dissolved Oxygen*, BOD 5, TSS, Total & Fecal Coliforms
- E2 EC,* Temp*, pH*, NO3-N, NH3-N*, NH4-N*, Turbidity, TP, Dissolved Oxygen*, Total & Fecal Coliforms
- E3 EC*, Temp*, pH*, NO3-N, NH3-N*, NH4-N*, TP, Total & Fecal Coliforms
- E4 EC*, Temp*, pH*, NO3-N, NH3-N*, NH4-N*, Turbidity, TP, Total & Fecal Coliform

MANURE
- M1 % Moisture
- M3 TN TP, K, % Moisture
- M4 Ca, Mg, Na, Bicarb, Carb, SO4, Cl, Ash
- M7 Combination of M3 & M4

PLANT TISSUE
- F18 % Moisture, Ash, TN, P, K, DM and as received
- F18+ % Moisture, Ash, TN, P, K, DM and as received (Package also includes NIR DCAD)
- F19+ % Moisture, TN (Package includes complete plant tissue analysis)

SOIL
- K3 Soluble Phosphorus
- K4 1ft NO3, Organic Matter
- K5 Pre-Plant (2ft NO3), Fall (1-2ft NO3), Fall (2-3ft NO3)
- K6 0-1ft EC, NO3, Soluble P, K, Organic Matter
- K7 Combination of K3 & K4
- K8 Combination of K3 & K5

	Date Collected	Time Collected	Sample ID	Description	Temp	Well Purge	H1	H3	M3	F18	OTHER
1	10/20/23	9:00	5448 PARADISE	DOMESTIC	6.0°C		X				
2		9:10	800 GARRISON		5.6°		X				
3		9:20	2743 BAKER		4.8°		X				
4		9:30	5018 PARADISE		5.6°		X				
5		10:00	IRRIGATION WELL	AG WELL	5.6°						H7
6											
7											
8											
9											
10											

Analysis

CHAIN OF CUSTODY RECORDING

	Signature	Company	Received Date & Time	Relinquished Date & Time	Logged In By:	LABORATORY NUMBER
		F&R AG SERVICES				
2nd		DENELE ANALYTICAL, INC.	10-23-23 8:00			T3296001

(LABORATORY USE ONLY)

Required to be submitted to any agency? (YES / NO)