**Annual Report - General Order No. R5-2007-0035**
*Reporting period 01/01/2023 to 12/31/2023.*

DAIRY FACILITY INFORMATION

**A. NAME OF DAIRY OR BUSINESS OPERATING THE DAIRY:** G.J. Silva Dairy, Inc.

Physical address of dairy:

| Number and Street | City | County | Zip Code |
|---|---|---|---|
| 3107 S Prairie Flower RD | Turlock | Stanislaus | 95380 |

Street and nearest cross street (if no address):

Date facility was originally placed in operation: 06/01/1961

Regional Water Quality Control Board Basin Plan designation: San Joaquin River Basin

County Assessor Parcel Number(s) for dairy facility:

| | | | | | |
|---|---|---|---|---|---|
| 0058-0015-0004-0000 | 0058-0015-0010-0000 | 0058-0016-0015-0000 | 0058-0030-0001-0000 | 0058-0031-0001-0000 | 0058-0031-0010-0000 |

**B. OPERATORS**

Latter, Susie

Operator name: Latter, Susie

Telephone no.: (209) 634-9091 (Landline) (Cellular)

| Mailing Address Number and Street | City | State | Zip Code |
|---|---|---|---|
| 3107 S Prairie Flower RD | Turlock | CA | 95380 |

**This operator is responsible for paying permit fees.**

**C. OWNERS**

Latter, Susie

Legal owner name: Latter, Susie

Telephone no.: (209) 634-9091 (Landline) (Cellular)

| Mailing Address Number and Street | City | State | Zip Code |
|---|---|---|---|
| 3107 S Prairie Flower RD | Turlock | CA | 95380 |

**This owner is responsible for paying permit fees.**

**Annual Report - General Order No. R5-2007-0035**
*Reporting period 01/01/2023 to 12/31/2023.*

AVAILABLE NUTRIENTS

## A. HERD INFORMATION

| | Milk Cows | Dry Cows | Bred Heifers (15-24 mo.) | Heifers (7-14 mo. to breeding) | Calves (4-6 mo.) | Calves (0-3 mo.) |
|---|---|---|---|---|---|---|
| Number open confinement | 0 | 0 | 0 | 300 | 450 | 525 |
| Number under roof | 2,500 | 300 | 0 | 0 | 0 | 0 |
| Maximum number | 2,550 | 350 | 0 | 350 | 500 | 550 |
| Average number | 2,500 | 300 | 0 | 300 | 450 | 525 |
| Avg live weight (lbs) | 1,400 | 1,400 | 0 | 600 | | |

Predominant milk cow breed: Holstein

Average milk production: 75 *pounds per cow per day*

## B. MANURE GENERATED

Total manure excreted by the herd: 76,050.33 *tons per reporting period*

Total nitrogen from manure: 990,673.50 *lbs per reporting period*

After ammonia losses (30% loss applied): 693,471.45 *lbs per reporting period*

Total phosphorus from manure: 161,039.56 *lbs per reporting period*

Total potassium from manure: 486,985.57 *lbs per reporting period*

Total salt from manure: 1,246,110.00 *lbs per reporting period*

## C. PROCESS WASTEWATER GENERATED

Process wastewater generated: 44,054,000 *gallons*

Total nitrogen generated: 175,700.79 *lbs*

Total phosphorus generated: 45,347.33 *lbs*

Total potassium generated: 595,910.84 *lbs*

Total salt generated: 2,334,812.17 *lbs*

| | | |
|---|---|---|
| | 44,054,000 | *gallons applied* |
| + | 0 | *gallons exported* |
| - | 0 | *gallons imported* |
| = | 44,054,000 | *gallons generated* |

## D. FRESH WATER SOURCES

| Source Description | Type |
|---|---|
| Canal | Ground water |
| IW 8 | Ground water |

## E. SUBSURFACE (TILE) DRAINAGE SOURCES

*No subsurface (tile) drainage sources entered.*

## F. NUTRIENT IMPORTS

*No dry manure nutrient imports entered.*

*No process wastewater nutrient imports entered.*

*No commercial or other nutrient imports entered.*

## G. NUTRIENT EXPORTS

| Date | Material type | Quantity | Reporting basis | Moisture (%) | Density (lbs/cu ft) | N (mg/kg) | P (mg/kg) | K (mg/kg) | Salt (mg/kg) | TFS (%) |
|---|---|---|---|---|---|---|---|---|---|---|
| 01/11/2023 | Separator solids | 622.90 *ton* | Dry-weight | 73.3 | | 16,000.00 | 3,600.00 | 2,300.00 | | 13.90 |
| 02/14/2023 | Separator solids | 206.70 *ton* | Dry-weight | 73.3 | | 16,000.00 | 3,600.00 | 2,300.00 | | 13.90 |
| 04/06/2023 | Corral solids | 490.00 *ton* | Dry-weight | 34.1 | | 16,900.00 | 4,300.00 | 1,000.00 | | 29.00 |
| 05/01/2023 | Corral solids | 553.30 *ton* | Dry-weight | 34.1 | | 16,900.00 | 4,300.00 | 1,000.00 | | 29.00 |
| 06/08/2023 | Separator solids | 557.00 *ton* | Dry-weight | 73.3 | | 16,000.00 | 3,600.00 | 2,300.00 | | 13.90 |
| 07/05/2023 | Separator solids | 1,014.90 *ton* | Dry-weight | 66.8 | | 7,500.00 | 2,750.00 | 6,250.00 | | 16.50 |
| 08/02/2023 | Separator solids | 767.10 *ton* | Dry-weight | 66.8 | | 7,500.00 | 2,750.00 | 6,250.00 | | 16.50 |
| 09/01/2023 | Corral solids | 588.30 *ton* | Dry-weight | 30.5 | | 16,200.00 | 9,400.00 | 34,900.00 | | 23.10 |
| 10/06/2023 | Corral solids | 325.70 *ton* | Dry-weight | 30.5 | | 16,200.00 | 9,400.00 | 34,900.00 | | 23.10 |
| 11/02/2023 | Separator solids | 3,847.90 *ton* | Dry-weight | 66.8 | | 7,500.00 | 2,750.00 | 6,250.00 | | 16.50 |
| 12/01/2023 | Separator solids | 329.30 *ton* | Dry-weight | 66.8 | | 7,500.00 | 2,750.00 | 6,250.00 | | 16.50 |

*No liquid nutrient exports entered.*

| Material type | Total N (lbs) | Total P (lbs) | Total K (lbs) | Total salt (lbs) |
|---|---|---|---|---|
| Dry manure | 85,344.05 | 31,402.22 | 72,147.83 | 1,448,058.11 |
| Process wastewater | 0.00 | 0.00 | 0.00 | 0.00 |
| Total exports for all materials | 85,344.05 | 31,402.22 | 72,147.83 | 1,448,058.11 |

APPLICATION AREA

## A. LIST OF LAND APPLICATION AREAS

| Field name | Controlled acres | Cropable acres | Total harvests | Type of waste applied | Parcel number |
|---|---|---|---|---|---|
| Bispo | 58 | 58 | 2 | process wastewater | X057-X010-X007-XXXX |
| Dougherty | 32 | 32 | 2 | process wastewater | X058-X016-X019-XXXX |
| Estacio 1 | 45 | 45 | 2 | process wastewater | X057-X011-X001-XXXX |
| Estacio 2 | 20 | 20 | 2 | process wastewater | X057-X010-X006-XXXX |
| Estacio 3 | 19 | 19 | 2 | manure | X057-X029-X008-XXXX |
| Estacio 4 | 36 | 36 | 2 | process wastewater | X058-X030-X011-XXXX |
| Estacio 5 | 30 | 27 | 2 | process wastewater | X058-X030-X010-XXXX |
| Heifer Ranch | 23 | 23 | 2 | process wastewater | X058-X031-X002-XXXX<br>X058-X031-X010-XXXX |
| Home | 13 | 13 | 2 | process wastewater | X058-X015-X010-XXXX |
| Mitchell | 19 | 19 | 2 | process wastewater | X057-X011-X017-XXXX |
| New Place | 42 | 42 | 2 | process wastewater | X058-X030-X001-XXXX<br>X058-X030-X002-XXXX<br>X058-X030-X003-XXXX |
| Penny Jackson | 38 | 38 | 2 | process wastewater | X058-X016-X015-XXXX |
| Reis 1 | 40 | 40 | 2 | both | X058-X031-X001-XXXX |
| Reis 2 | 35 | 35 | 2 | both | X058-X031-X025-XXXX |
| Simmons | 35 | 35 | 2 | manure | X058-X017-X020-XXXX |
| Webster | 30 | 30 | 2 | process wastewater | X058-X031-X008-XXXX |
| Totals for areas that were used for application | 515 | 512 | 32 | | |
| Totals for areas that were not used for application | | | | | |
| Land application area totals | 515 | 512 | 32 | | |

## B. CROPS AND HARVESTS

Bispo

Field name: Bispo

## Bispo

### 10/21/2022: Oats, silage-soft dough

Crop: Oats, silage-soft dough Acres planted: 58 Plant date: 10/21/2022

| Harvest date | Yield | Reporting basis | Density (lbs/cu ft) | Moisture (%) | N (mg/kg) | P (mg/kg) | K (mg/kg) | Salt (mg/kg) | TFS (%) |
|---|---|---|---|---|---|---|---|---|---|
| 05/03/2023 | 966.00 *ton* | As-is | | 70.0 | 6,290.00 | 1,770.00 | 15,900.00 | | 14.70 |

| | Yield (tons/acre) | Total N (lbs/acre) | Total P (lbs/acre) | Total K (lbs/acre) | Salt (lbs/acre) |
|---|---|---|---|---|---|
| Anticipated harvest content | 15.00 | 150.00 | 24.00 | 124.50 | 0.00 |
| Total actual harvest content | 16.66 | 209.52 | 58.96 | 529.63 | 1,468.99 |

### 06/03/2023: Corn, silage

Crop: Corn, silage Acres planted: 58 Plant date: 06/03/2023

| Harvest date | Yield | Reporting basis | Density (lbs/cu ft) | Moisture (%) | N (mg/kg) | P (mg/kg) | K (mg/kg) | Salt (mg/kg) | TFS (%) |
|---|---|---|---|---|---|---|---|---|---|
| 09/30/2023 | 1,236.00 *ton* | As-is | | 65.8 | 6,430.00 | 1,060.00 | 5,010.00 | | 5.10 |

| | Yield (tons/acre) | Total N (lbs/acre) | Total P (lbs/acre) | Total K (lbs/acre) | Salt (lbs/acre) |
|---|---|---|---|---|---|
| Anticipated harvest content | 24.00 | 192.00 | 36.00 | 158.40 | 0.00 |
| Total actual harvest content | 21.31 | 274.05 | 45.18 | 213.53 | 743.39 |

## Dougherty

Field name: Dougherty

### 10/21/2022: Oats, silage-soft dough

Crop: Oats, silage-soft dough Acres planted: 32 Plant date: 10/21/2022

| Harvest date | Yield | Reporting basis | Density (lbs/cu ft) | Moisture (%) | N (mg/kg) | P (mg/kg) | K (mg/kg) | Salt (mg/kg) | TFS (%) |
|---|---|---|---|---|---|---|---|---|---|
| 05/03/2023 | 576.00 *ton* | As-is | | 70.0 | 6,870.00 | 1,440.00 | 14,500.00 | | 14.60 |

| | Yield (tons/acre) | Total N (lbs/acre) | Total P (lbs/acre) | Total K (lbs/acre) | Salt (lbs/acre) |
|---|---|---|---|---|---|
| Anticipated harvest content | 15.00 | 150.00 | 24.00 | 124.50 | 0.00 |
| Total actual harvest content | 18.00 | 247.32 | 51.84 | 522.00 | 1,576.80 |

## Dougherty

### 07/28/2023: Sudangrass, silage

Crop: Sudangrass, silage  Acres planted: 32  Plant date: 07/28/2023

| Harvest date | Yield | Reporting basis | Density (lbs/cu ft) | Moisture (%) | N (mg/kg) | P (mg/kg) | K (mg/kg) | Salt (mg/kg) | TFS (%) |
|---|---|---|---|---|---|---|---|---|---|
| 09/15/2023 | 459.00 *ton* | As-is | | 70.0 | 5,460.00 | 930.00 | 11,200.00 | | 12.60 |

| | Yield (tons/acre) | Total N (lbs/acre) | Total P (lbs/acre) | Total K (lbs/acre) | Salt (lbs/acre) |
|---|---|---|---|---|---|
| Anticipated harvest content | 14.00 | 154.00 | 23.80 | 168.00 | 0.00 |
| Total actual harvest content | 14.34 | 156.63 | 26.68 | 321.30 | 1,084.39 |

## Estacio 1

Field name: Estacio 1

### 10/19/2022: Oats, silage-soft dough

Crop: Oats, silage-soft dough  Acres planted: 45  Plant date: 10/19/2022

| Harvest date | Yield | Reporting basis | Density (lbs/cu ft) | Moisture (%) | N (mg/kg) | P (mg/kg) | K (mg/kg) | Salt (mg/kg) | TFS (%) |
|---|---|---|---|---|---|---|---|---|---|
| 05/01/2023 | 715.00 *ton* | As-is | | 70.0 | 4,170.00 | 940.00 | 7,720.00 | | 9.48 |

| | Yield (tons/acre) | Total N (lbs/acre) | Total P (lbs/acre) | Total K (lbs/acre) | Salt (lbs/acre) |
|---|---|---|---|---|---|
| Anticipated harvest content | 15.00 | 150.00 | 24.00 | 124.50 | 0.00 |
| Total actual harvest content | 15.89 | 132.51 | 29.87 | 245.32 | 903.76 |

### 06/03/2023: Corn, silage

Crop: Corn, silage  Acres planted: 45  Plant date: 06/03/2023

| Harvest date | Yield | Reporting basis | Density (lbs/cu ft) | Moisture (%) | N (mg/kg) | P (mg/kg) | K (mg/kg) | Salt (mg/kg) | TFS (%) |
|---|---|---|---|---|---|---|---|---|---|
| 09/29/2023 | 1,055.00 *ton* | As-is | | 64.8 | 3,980.00 | 1,200.00 | 5,440.00 | | 4.40 |

| | Yield (tons/acre) | Total N (lbs/acre) | Total P (lbs/acre) | Total K (lbs/acre) | Salt (lbs/acre) |
|---|---|---|---|---|---|
| Anticipated harvest content | 24.00 | 192.00 | 36.00 | 158.40 | 0.00 |
| Total actual harvest content | 23.44 | 186.62 | 56.27 | 255.08 | 726.22 |

## Estacio 2

Field name: Estacio 2

### 10/22/2022: Oats, silage-soft dough

Crop: Oats, silage-soft dough  Acres planted: 20  Plant date: 10/22/2022

| Harvest date | Yield | Reporting basis | Density (lbs/cu ft) | Moisture (%) | N (mg/kg) | P (mg/kg) | K (mg/kg) | Salt (mg/kg) | TFS (%) |
|---|---|---|---|---|---|---|---|---|---|
| 05/05/2023 | 345.00 *ton* | As-is | | 70.0 | 4,310.00 | 900.00 | 4,900.00 | | 8.30 |

| | Yield (tons/acre) | Total N (lbs/acre) | Total P (lbs/acre) | Total K (lbs/acre) | Salt (lbs/acre) |
|---|---|---|---|---|---|
| Anticipated harvest content | 15.00 | 150.00 | 24.00 | 124.50 | 0.00 |
| Total actual harvest content | 17.25 | 148.70 | 31.05 | 169.05 | 859.05 |

### 06/03/2023: Corn, silage

Crop: Corn, silage  Acres planted: 20  Plant date: 06/03/2023

| Harvest date | Yield | Reporting basis | Density (lbs/cu ft) | Moisture (%) | N (mg/kg) | P (mg/kg) | K (mg/kg) | Salt (mg/kg) | TFS (%) |
|---|---|---|---|---|---|---|---|---|---|
| 09/29/2023 | 513.00 *ton* | As-is | | 65.4 | 4,050.00 | 1,400.00 | 5,990.00 | | 5.70 |

| | Yield (tons/acre) | Total N (lbs/acre) | Total P (lbs/acre) | Total K (lbs/acre) | Salt (lbs/acre) |
|---|---|---|---|---|---|
| Anticipated harvest content | 24.00 | 192.00 | 36.00 | 158.40 | 0.00 |
| Total actual harvest content | 25.65 | 207.77 | 71.82 | 307.29 | 1,011.74 |

## Estacio 3

Field name: Estacio 3

### 10/22/2022: Oats, silage-soft dough

Crop: Oats, silage-soft dough  Acres planted: 19  Plant date: 10/22/2022

| Harvest date | Yield | Reporting basis | Density (lbs/cu ft) | Moisture (%) | N (mg/kg) | P (mg/kg) | K (mg/kg) | Salt (mg/kg) | TFS (%) |
|---|---|---|---|---|---|---|---|---|---|
| 05/05/2023 | 281.00 *ton* | As-is | | 70.0 | 4,190.00 | 840.00 | 4,510.00 | | 9.20 |

| | Yield (tons/acre) | Total N (lbs/acre) | Total P (lbs/acre) | Total K (lbs/acre) | Salt (lbs/acre) |
|---|---|---|---|---|---|
| Anticipated harvest content | 15.00 | 150.00 | 24.00 | 124.50 | 0.00 |
| Total actual harvest content | 14.79 | 123.94 | 24.85 | 133.40 | 816.38 |

## Estacio 3

### 06/03/2023: Corn, silage

Crop: Corn, silage  Acres planted: 19  Plant date: 06/03/2023

| Harvest date | Yield | Reporting basis | Density (lbs/cu ft) | Moisture (%) | N (mg/kg) | P (mg/kg) | K (mg/kg) | Salt (mg/kg) | TFS (%) |
|---|---|---|---|---|---|---|---|---|---|
| 09/29/2023 | 471.00 *ton* | As-is | | 65.4 | 4,050.00 | 1,400.00 | 5,990.00 | | 5.70 |

| | Yield (tons/acre) | Total N (lbs/acre) | Total P (lbs/acre) | Total K (lbs/acre) | Salt (lbs/acre) |
|---|---|---|---|---|---|
| Anticipated harvest content | 24.00 | 192.00 | 36.00 | 158.40 | 0.00 |
| Total actual harvest content | 24.79 | 200.79 | 69.41 | 296.98 | 977.80 |

## Estacio 4

Field name: Estacio 4

### 10/19/2022: Oats, silage-soft dough

Crop: Oats, silage-soft dough  Acres planted: 36  Plant date: 10/19/2022

| Harvest date | Yield | Reporting basis | Density (lbs/cu ft) | Moisture (%) | N (mg/kg) | P (mg/kg) | K (mg/kg) | Salt (mg/kg) | TFS (%) |
|---|---|---|---|---|---|---|---|---|---|
| 05/01/2023 | 483.00 *ton* | As-is | | 70.2 | 4,650.00 | 1,030.00 | 8,910.00 | | 9.80 |

| | Yield (tons/acre) | Total N (lbs/acre) | Total P (lbs/acre) | Total K (lbs/acre) | Salt (lbs/acre) |
|---|---|---|---|---|---|
| Anticipated harvest content | 15.00 | 150.00 | 24.00 | 124.50 | 0.00 |
| Total actual harvest content | 13.42 | 124.78 | 27.64 | 239.09 | 783.64 |

### 06/03/2023: Corn, silage

Crop: Corn, silage  Acres planted: 36  Plant date: 06/03/2023

| Harvest date | Yield | Reporting basis | Density (lbs/cu ft) | Moisture (%) | N (mg/kg) | P (mg/kg) | K (mg/kg) | Salt (mg/kg) | TFS (%) |
|---|---|---|---|---|---|---|---|---|---|
| 09/29/2023 | 1,045.00 *ton* | As-is | | 69.0 | 3,320.00 | 770.00 | 5,630.00 | | 6.40 |

| | Yield (tons/acre) | Total N (lbs/acre) | Total P (lbs/acre) | Total K (lbs/acre) | Salt (lbs/acre) |
|---|---|---|---|---|---|
| Anticipated harvest content | 24.00 | 192.00 | 36.00 | 158.40 | 0.00 |
| Total actual harvest content | 29.03 | 192.74 | 44.70 | 326.85 | 1,151.82 |

## Estacio 5

Field name: Estacio 5

### 10/22/2022: Oats, silage-soft dough

Crop: Oats, silage-soft dough  Acres planted: 27  Plant date: 10/22/2022

| Harvest date | Yield | Reporting basis | Density (lbs/cu ft) | Moisture (%) | N (mg/kg) | P (mg/kg) | K (mg/kg) | Salt (mg/kg) | TFS (%) |
|---|---|---|---|---|---|---|---|---|---|
| 05/05/2023 | 536.00 *ton* | As-is | | 70.0 | 4,610.00 | 850.00 | 4,630.00 | | 11.60 |

| | Yield (tons/acre) | Total N (lbs/acre) | Total P (lbs/acre) | Total K (lbs/acre) | Salt (lbs/acre) |
|---|---|---|---|---|---|
| Anticipated harvest content | 15.00 | 150.00 | 24.00 | 124.50 | 0.00 |
| Total actual harvest content | 19.85 | 183.03 | 33.75 | 183.83 | 1,381.69 |

### 07/28/2023: Sudangrass, silage

Crop: Sudangrass, silage  Acres planted: 27  Plant date: 07/28/2023

| Harvest date | Yield | Reporting basis | Density (lbs/cu ft) | Moisture (%) | N (mg/kg) | P (mg/kg) | K (mg/kg) | Salt (mg/kg) | TFS (%) |
|---|---|---|---|---|---|---|---|---|---|
| 09/15/2023 | 386.00 *ton* | As-is | | 70.0 | 5,460.00 | 930.00 | 11,200.00 | | 12.60 |

| | Yield (tons/acre) | Total N (lbs/acre) | Total P (lbs/acre) | Total K (lbs/acre) | Salt (lbs/acre) |
|---|---|---|---|---|---|
| Anticipated harvest content | 14.00 | 154.00 | 23.80 | 168.00 | 0.00 |
| Total actual harvest content | 14.30 | 156.12 | 26.59 | 320.24 | 1,080.80 |

## Heifer Ranch

Field name: Heifer Ranch

### 10/19/2022: Oats, silage-soft dough

Crop: Oats, silage-soft dough  Acres planted: 23  Plant date: 10/19/2022

| Harvest date | Yield | Reporting basis | Density (lbs/cu ft) | Moisture (%) | N (mg/kg) | P (mg/kg) | K (mg/kg) | Salt (mg/kg) | TFS (%) |
|---|---|---|---|---|---|---|---|---|---|
| 05/01/2023 | 350.00 *ton* | As-is | | 70.0 | 5,710.00 | 830.00 | 6,780.00 | | 10.10 |

| | Yield (tons/acre) | Total N (lbs/acre) | Total P (lbs/acre) | Total K (lbs/acre) | Salt (lbs/acre) |
|---|---|---|---|---|---|
| Anticipated harvest content | 15.00 | 150.00 | 24.00 | 124.50 | 0.00 |
| Total actual harvest content | 15.22 | 173.78 | 25.26 | 206.35 | 922.17 |

## Heifer Ranch

### 06/03/2023: Corn, silage

Crop: Corn, silage  Acres planted: 23  Plant date: 06/03/2023

| Harvest date | Yield | Reporting basis | Density (lbs/cu ft) | Moisture (%) | N (mg/kg) | P (mg/kg) | K (mg/kg) | Salt (mg/kg) | TFS (%) |
|---|---|---|---|---|---|---|---|---|---|
| 09/28/2023 | 479.00 *ton* | As-is | | 66.4 | 4,370.00 | 1,000.00 | 6,710.00 | | 6.70 |

| | Yield (tons/acre) | Total N (lbs/acre) | Total P (lbs/acre) | Total K (lbs/acre) | Salt (lbs/acre) |
|---|---|---|---|---|---|
| Anticipated harvest content | 24.00 | 192.00 | 36.00 | 158.40 | 0.00 |
| Total actual harvest content | 20.83 | 182.02 | 41.65 | 279.49 | 937.67 |

## Home

Field name: Home

### 10/22/2022: Oats, silage-soft dough

Crop: Oats, silage-soft dough  Acres planted: 13  Plant date: 10/22/2022

| Harvest date | Yield | Reporting basis | Density (lbs/cu ft) | Moisture (%) | N (mg/kg) | P (mg/kg) | K (mg/kg) | Salt (mg/kg) | TFS (%) |
|---|---|---|---|---|---|---|---|---|---|
| 05/05/2023 | 226.00 *ton* | As-is | | 70.0 | 4,540.00 | 790.00 | 270.00 | | 8.00 |

| | Yield (tons/acre) | Total N (lbs/acre) | Total P (lbs/acre) | Total K (lbs/acre) | Salt (lbs/acre) |
|---|---|---|---|---|---|
| Anticipated harvest content | 15.00 | 150.00 | 24.00 | 124.50 | 0.00 |
| Total actual harvest content | 17.38 | 157.85 | 27.47 | 9.39 | 834.46 |

### 06/02/2023: Corn, silage

Crop: Corn, silage  Acres planted: 7  Plant date: 06/02/2023

| Harvest date | Yield | Reporting basis | Density (lbs/cu ft) | Moisture (%) | N (mg/kg) | P (mg/kg) | K (mg/kg) | Salt (mg/kg) | TFS (%) |
|---|---|---|---|---|---|---|---|---|---|
| 09/21/2023 | 201.00 *ton* | As-is | | 62.2 | 4,840.00 | 930.00 | 7,220.00 | | 6.20 |

| | Yield (tons/acre) | Total N (lbs/acre) | Total P (lbs/acre) | Total K (lbs/acre) | Salt (lbs/acre) |
|---|---|---|---|---|---|
| Anticipated harvest content | 24.00 | 192.00 | 36.00 | 158.40 | 0.00 |
| Total actual harvest content | 28.71 | 277.95 | 53.41 | 414.63 | 1,345.90 |

## Mitchell

Field name: Mitchell

### 10/22/2022: Oats, silage-soft dough

Crop: Oats, silage-soft dough  Acres planted: 19  Plant date: 10/22/2022

| Harvest date | Yield | Reporting basis | Density (lbs/cu ft) | Moisture (%) | N (mg/kg) | P (mg/kg) | K (mg/kg) | Salt (mg/kg) | TFS (%) |
|---|---|---|---|---|---|---|---|---|---|
| 05/05/2023 | 284.00 *ton* | As-is | | 70.0 | 4,660.00 | 940.00 | 5,290.00 | | 9.30 |

| | Yield (tons/acre) | Total N (lbs/acre) | Total P (lbs/acre) | Total K (lbs/acre) | Salt (lbs/acre) |
|---|---|---|---|---|---|
| Anticipated harvest content | 15.00 | 150.00 | 24.00 | 124.50 | 0.00 |
| Total actual harvest content | 14.95 | 139.31 | 28.10 | 158.14 | 834.06 |

### 05/27/2023: Corn, silage

Crop: Corn, silage  Acres planted: 19  Plant date: 05/27/2023

| Harvest date | Yield | Reporting basis | Density (lbs/cu ft) | Moisture (%) | N (mg/kg) | P (mg/kg) | K (mg/kg) | Salt (mg/kg) | TFS (%) |
|---|---|---|---|---|---|---|---|---|---|
| 09/14/2023 | 512.00 *ton* | As-is | | 66.8 | 3,490.00 | 540.00 | 4,800.00 | | 4.50 |

| | Yield (tons/acre) | Total N (lbs/acre) | Total P (lbs/acre) | Total K (lbs/acre) | Salt (lbs/acre) |
|---|---|---|---|---|---|
| Anticipated harvest content | 24.00 | 192.00 | 36.00 | 158.40 | 0.00 |
| Total actual harvest content | 26.95 | 188.09 | 29.10 | 258.69 | 805.19 |

## New Place

Field name: New Place

### 10/19/2022: Oats, silage-soft dough

Crop: Oats, silage-soft dough  Acres planted: 42  Plant date: 10/19/2022

| Harvest date | Yield | Reporting basis | Density (lbs/cu ft) | Moisture (%) | N (mg/kg) | P (mg/kg) | K (mg/kg) | Salt (mg/kg) | TFS (%) |
|---|---|---|---|---|---|---|---|---|---|
| 05/01/2023 | 543.00 *ton* | As-is | | 70.0 | 5,590.00 | 1,360.00 | 12,700.00 | | 11.50 |

| | Yield (tons/acre) | Total N (lbs/acre) | Total P (lbs/acre) | Total K (lbs/acre) | Salt (lbs/acre) |
|---|---|---|---|---|---|
| Anticipated harvest content | 15.00 | 150.00 | 24.00 | 124.50 | 0.00 |
| Total actual harvest content | 12.93 | 144.54 | 35.17 | 328.39 | 892.07 |

## New Place

### 05/27/2023: Corn, silage

Crop: Corn, silage  Acres planted: 42  Plant date: 05/27/2023

| Harvest date | Yield | Reporting basis | Density (lbs/cu ft) | Moisture (%) | N (mg/kg) | P (mg/kg) | K (mg/kg) | Salt (mg/kg) | TFS (%) |
|---|---|---|---|---|---|---|---|---|---|
| 09/14/2023 | 1,071.00 *ton* | As-is | | 64.0 | 4,820.00 | 630.00 | 5,190.00 | | 2.70 |

| | Yield (tons/acre) | Total N (lbs/acre) | Total P (lbs/acre) | Total K (lbs/acre) | Salt (lbs/acre) |
|---|---|---|---|---|---|
| Anticipated harvest content | 24.00 | 192.00 | 36.00 | 158.40 | 0.00 |
| Total actual harvest content | 25.50 | 245.82 | 32.13 | 264.69 | 495.72 |

## Penny Jackson

Field name: Penny Jackson

### 10/21/2022: Oats, silage-soft dough

Crop: Oats, silage-soft dough  Acres planted: 38  Plant date: 10/21/2022

| Harvest date | Yield | Reporting basis | Density (lbs/cu ft) | Moisture (%) | N (mg/kg) | P (mg/kg) | K (mg/kg) | Salt (mg/kg) | TFS (%) |
|---|---|---|---|---|---|---|---|---|---|
| 05/03/2023 | 655.00 *ton* | As-is | | 70.0 | 7,030.00 | 1,510.00 | 13,600.00 | | 13.50 |

| | Yield (tons/acre) | Total N (lbs/acre) | Total P (lbs/acre) | Total K (lbs/acre) | Salt (lbs/acre) |
|---|---|---|---|---|---|
| Anticipated harvest content | 15.00 | 150.00 | 24.00 | 124.50 | 0.00 |
| Total actual harvest content | 17.24 | 242.35 | 52.06 | 468.84 | 1,396.18 |

### 05/27/2023: Corn, silage

Crop: Corn, silage  Acres planted: 38  Plant date: 05/27/2023

| Harvest date | Yield | Reporting basis | Density (lbs/cu ft) | Moisture (%) | N (mg/kg) | P (mg/kg) | K (mg/kg) | Salt (mg/kg) | TFS (%) |
|---|---|---|---|---|---|---|---|---|---|
| 09/15/2023 | 818.00 *ton* | As-is | | 72.8 | 3,700.00 | 550.00 | 4,900.00 | | 6.30 |

| | Yield (tons/acre) | Total N (lbs/acre) | Total P (lbs/acre) | Total K (lbs/acre) | Salt (lbs/acre) |
|---|---|---|---|---|---|
| Anticipated harvest content | 24.00 | 192.00 | 36.00 | 158.40 | 0.00 |
| Total actual harvest content | 21.53 | 159.29 | 23.68 | 210.96 | 737.75 |

## Reis 1

Field name: Reis 1

### 05/03/2022: Oats, silage-soft dough

Crop: Oats, silage-soft dough  Acres planted: 40  Plant date: 05/03/2022

| Harvest date | Yield | Reporting basis | Density (lbs/cu ft) | Moisture (%) | N (mg/kg) | P (mg/kg) | K (mg/kg) | Salt (mg/kg) | TFS (%) |
|---|---|---|---|---|---|---|---|---|---|
| 05/03/2023 | 735.00 *ton* | As-is | | 70.0 | 4,830.00 | 940.00 | 5,870.00 | | 11.40 |

| | Yield (tons/acre) | Total N (lbs/acre) | Total P (lbs/acre) | Total K (lbs/acre) | Salt (lbs/acre) |
|---|---|---|---|---|---|
| Anticipated harvest content | 15.00 | 150.00 | 24.00 | 124.50 | 0.00 |
| Total actual harvest content | 18.38 | 177.50 | 34.55 | 215.72 | 1,256.85 |

### 06/06/2023: Corn, silage

Crop: Corn, silage  Acres planted: 40  Plant date: 06/06/2023

| Harvest date | Yield | Reporting basis | Density (lbs/cu ft) | Moisture (%) | N (mg/kg) | P (mg/kg) | K (mg/kg) | Salt (mg/kg) | TFS (%) |
|---|---|---|---|---|---|---|---|---|---|
| 09/29/2023 | 890.00 *ton* | As-is | | 68.2 | 3,150.00 | 1,020.00 | 5,220.00 | | 6.00 |

| | Yield (tons/acre) | Total N (lbs/acre) | Total P (lbs/acre) | Total K (lbs/acre) | Salt (lbs/acre) |
|---|---|---|---|---|---|
| Anticipated harvest content | 24.00 | 192.00 | 36.00 | 158.40 | 0.00 |
| Total actual harvest content | 22.25 | 140.18 | 45.39 | 232.29 | 849.06 |

## Reis 2

Field name: Reis 2

### 10/21/2022: Oats, silage-soft dough

Crop: Oats, silage-soft dough  Acres planted: 35  Plant date: 10/21/2022

| Harvest date | Yield | Reporting basis | Density (lbs/cu ft) | Moisture (%) | N (mg/kg) | P (mg/kg) | K (mg/kg) | Salt (mg/kg) | TFS (%) |
|---|---|---|---|---|---|---|---|---|---|
| 05/05/2023 | 623.00 *ton* | As-is | | 70.0 | 4,200.00 | 860.00 | 4,750.00 | | 8.10 |

| | Yield (tons/acre) | Total N (lbs/acre) | Total P (lbs/acre) | Total K (lbs/acre) | Salt (lbs/acre) |
|---|---|---|---|---|---|
| Anticipated harvest content | 15.00 | 150.00 | 24.00 | 124.50 | 0.00 |
| Total actual harvest content | 17.80 | 149.52 | 30.62 | 169.10 | 865.08 |

## Reis 2

### 06/02/2023: Corn, silage

Crop: Corn, silage  Acres planted: 35  Plant date: 06/02/2023

| Harvest date | Yield | Reporting basis | Density (lbs/cu ft) | Moisture (%) | N (mg/kg) | P (mg/kg) | K (mg/kg) | Salt (mg/kg) | TFS (%) |
|---|---|---|---|---|---|---|---|---|---|
| 09/28/2023 | 838.00 *ton* | As-is | | 68.2 | 3,150.00 | 1,020.00 | 5,220.00 | | 6.00 |

| | Yield (tons/acre) | Total N (lbs/acre) | Total P (lbs/acre) | Total K (lbs/acre) | Salt (lbs/acre) |
|---|---|---|---|---|---|
| Anticipated harvest content | 24.00 | 192.00 | 36.00 | 158.40 | 0.00 |
| Total actual harvest content | 23.94 | 150.84 | 48.84 | 249.96 | 913.66 |

## Simmons

Field name: Simmons

### 10/20/2022: Oats, silage-soft dough

Crop: Oats, silage-soft dough  Acres planted: 35  Plant date: 10/20/2022

| Harvest date | Yield | Reporting basis | Density (lbs/cu ft) | Moisture (%) | N (mg/kg) | P (mg/kg) | K (mg/kg) | Salt (mg/kg) | TFS (%) |
|---|---|---|---|---|---|---|---|---|---|
| 05/01/2023 | 442.00 *ton* | As-is | | 70.0 | 6,010.00 | 740.00 | 6,760.00 | | 9.80 |

| | Yield (tons/acre) | Total N (lbs/acre) | Total P (lbs/acre) | Total K (lbs/acre) | Salt (lbs/acre) |
|---|---|---|---|---|---|
| Anticipated harvest content | 15.00 | 150.00 | 24.00 | 124.50 | 0.00 |
| Total actual harvest content | 12.63 | 151.80 | 18.69 | 170.74 | 742.56 |

### 06/02/2023: Corn, silage

Crop: Corn, silage  Acres planted: 35  Plant date: 06/02/2023

| Harvest date | Yield | Reporting basis | Density (lbs/cu ft) | Moisture (%) | N (mg/kg) | P (mg/kg) | K (mg/kg) | Salt (mg/kg) | TFS (%) |
|---|---|---|---|---|---|---|---|---|---|
| 09/28/2023 | 841.00 *ton* | As-is | | 67.0 | 3,140.00 | 670.00 | 4,980.00 | | 5.70 |

| | Yield (tons/acre) | Total N (lbs/acre) | Total P (lbs/acre) | Total K (lbs/acre) | Salt (lbs/acre) |
|---|---|---|---|---|---|
| Anticipated harvest content | 24.00 | 192.00 | 36.00 | 158.40 | 0.00 |
| Total actual harvest content | 24.03 | 150.90 | 32.20 | 239.32 | 903.95 |

## Webster

Field name: Webster

### 10/20/2022: Oats, silage-soft dough

Crop: Oats, silage-soft dough  Acres planted: 30  Plant date: 10/20/2022

| Harvest date | Yield | Reporting basis | Density (lbs/cu ft) | Moisture (%) | N (mg/kg) | P (mg/kg) | K (mg/kg) | Salt (mg/kg) | TFS (%) |
|---|---|---|---|---|---|---|---|---|---|
| 05/01/2023 | 438.00 *ton* | As-is | | 70.0 | 4,540.00 | 960.00 | 7,580.00 | | 9.50 |

| | Yield (tons/acre) | Total N (lbs/acre) | Total P (lbs/acre) | Total K (lbs/acre) | Salt (lbs/acre) |
|---|---|---|---|---|---|
| Anticipated harvest content | 15.00 | 150.00 | 24.00 | 124.50 | 0.00 |
| Total actual harvest content | 14.60 | 132.57 | 28.03 | 221.34 | 832.20 |

### 05/27/2023: Corn, silage

Crop: Corn, silage  Acres planted: 30  Plant date: 05/27/2023

| Harvest date | Yield | Reporting basis | Density (lbs/cu ft) | Moisture (%) | N (mg/kg) | P (mg/kg) | K (mg/kg) | Salt (mg/kg) | TFS (%) |
|---|---|---|---|---|---|---|---|---|---|
| 09/14/2023 | 844.00 *ton* | As-is | | 66.2 | 3,110.00 | 500.00 | 4,800.00 | | 5.70 |

| | Yield (tons/acre) | Total N (lbs/acre) | Total P (lbs/acre) | Total K (lbs/acre) | Salt (lbs/acre) |
|---|---|---|---|---|---|
| Anticipated harvest content | 24.00 | 192.00 | 36.00 | 158.40 | 0.00 |
| Total actual harvest content | 28.13 | 174.99 | 28.13 | 270.08 | 1,084.03 |

NUTRIENT BUDGET

## A. LAND APPLICATIONS

### Bispo - 10/21/2022: Oats, silage-soft dough

Field name: Bispo

Crop: Oats, silage-soft dough — Plant date: 10/21/2022

| Application date | Application method | Precipitation 24 hours prior | Precipitation during application | Precipitation 24 hours following |
|---|---|---|---|---|
| 10/12/2022 | Surface (irrigation) | No precipitation | No precipitation | No precipitation |

| Source description | Material type | N (lbs/acre) | P (lbs/acre) | K (lbs/acre) | Salt (lbs/acre) | Amount |
|---|---|---|---|---|---|---|
| WWS | Process wastewater | 52.49 | 3.48 | 61.77 | 349.18 | 768,000.00 *gal* |
| Canal | Ground water | 0.00 | 0.00 | 0.00 | 195.79 | 6,480,000.00 *gal* |
| Application event totals | | 52.49 | 3.48 | 61.77 | 544.97 | |

| Application date | Application method | Precipitation 24 hours prior | Precipitation during application | Precipitation 24 hours following |
|---|---|---|---|---|
| 01/12/2023 | Surface (irrigation) | No precipitation | No precipitation | No precipitation |

| Source description | Material type | N (lbs/acre) | P (lbs/acre) | K (lbs/acre) | Salt (lbs/acre) | Amount |
|---|---|---|---|---|---|---|
| WWS | Process wastewater | 78.73 | 5.22 | 92.65 | 523.77 | 1,152,000.00 *gal* |
| Application event totals | | 78.73 | 5.22 | 92.65 | 523.77 | |

| Application date | Application method | Precipitation 24 hours prior | Precipitation during application | Precipitation 24 hours following |
|---|---|---|---|---|
| 03/01/2023 | Surface (irrigation) | No precipitation | No precipitation | No precipitation |

| Source description | Material type | N (lbs/acre) | P (lbs/acre) | K (lbs/acre) | Salt (lbs/acre) | Amount |
|---|---|---|---|---|---|---|
| WWS | Process wastewater | 79.39 | 26.02 | 333.16 | 1,246.43 | 1,152,000.00 *gal* |
| Application event totals | | 79.39 | 26.02 | 333.16 | 1,246.43 | |

| Application date | Application method | Precipitation 24 hours prior | Precipitation during application | Precipitation 24 hours following |
|---|---|---|---|---|
| 04/11/2023 | Surface (irrigation) | No precipitation | No precipitation | No precipitation |

| Source description | Material type | N (lbs/acre) | P (lbs/acre) | K (lbs/acre) | Salt (lbs/acre) | Amount |
|---|---|---|---|---|---|---|
| Canal | Ground water | 0.00 | 0.00 | 0.00 | 220.26 | 7,290,000.00 *gal* |
| Application event totals | | 0.00 | 0.00 | 0.00 | 220.26 | |

### Bispo - 06/03/2023: Corn, silage

Field name: Bispo

Crop: Corn, silage — Plant date: 06/03/2023

| Application date | Application method | Precipitation 24 hours prior | Precipitation during application | Precipitation 24 hours following |
|---|---|---|---|---|

Bispo - 06/03/2023: Corn, silage

| Application date | Application method | Precipitation 24 hours prior | Precipitation during application | Precipitation 24 hours following |
|---|---|---|---|---|
| 05/19/2023 | Surface (irrigation) | No precipitation | No precipitation | No precipitation |

| Source description | Material type | N (lbs/acre) | P (lbs/acre) | K (lbs/acre) | Salt (lbs/acre) | Amount |
|---|---|---|---|---|---|---|
| WWS | Process wastewater | 39.70 | 13.01 | 166.58 | 623.22 | 576,000.00 *gal* |
| Canal | Ground water | 0.00 | 0.00 | 0.00 | 146.84 | 4,860,000.00 *gal* |
| Application event totals | | 39.70 | 13.01 | 166.58 | 770.06 | |

| Application date | Application method | Precipitation 24 hours prior | Precipitation during application | Precipitation 24 hours following |
|---|---|---|---|---|
| 06/29/2023 | Surface (irrigation) | No precipitation | No precipitation | No precipitation |

| Source description | Material type | N (lbs/acre) | P (lbs/acre) | K (lbs/acre) | Salt (lbs/acre) | Amount |
|---|---|---|---|---|---|---|
| WWS | Process wastewater | 57.89 | 18.97 | 242.93 | 908.86 | 840,000.00 *gal* |
| Canal | Ground water | 0.00 | 0.00 | 0.00 | 214.15 | 7,087,500.00 *gal* |
| Application event totals | | 57.89 | 18.97 | 242.93 | 1,123.00 | |

| Application date | Application method | Precipitation 24 hours prior | Precipitation during application | Precipitation 24 hours following |
|---|---|---|---|---|
| 07/08/2023 | Surface (irrigation) | No precipitation | No precipitation | No precipitation |

| Source description | Material type | N (lbs/acre) | P (lbs/acre) | K (lbs/acre) | Salt (lbs/acre) | Amount |
|---|---|---|---|---|---|---|
| WWS | Process wastewater | 38.04 | 12.47 | 159.64 | 597.25 | 552,000.00 *gal* |
| Canal | Ground water | 0.00 | 0.00 | 0.00 | 140.72 | 4,657,500.00 *gal* |
| Application event totals | | 38.04 | 12.47 | 159.64 | 737.97 | |

| Application date | Application method | Precipitation 24 hours prior | Precipitation during application | Precipitation 24 hours following |
|---|---|---|---|---|
| 07/20/2023 | Surface (irrigation) | No precipitation | No precipitation | No precipitation |

| Source description | Material type | N (lbs/acre) | P (lbs/acre) | K (lbs/acre) | Salt (lbs/acre) | Amount |
|---|---|---|---|---|---|---|
| Canal | Ground water | 0.00 | 0.00 | 0.00 | 122.37 | 4,050,000.00 *gal* |
| Application event totals | | 0.00 | 0.00 | 0.00 | 122.37 | |

| Application date | Application method | Precipitation 24 hours prior | Precipitation during application | Precipitation 24 hours following |
|---|---|---|---|---|
| 07/30/2023 | Surface (irrigation) | No precipitation | No precipitation | No precipitation |

| Source description | Material type | N (lbs/acre) | P (lbs/acre) | K (lbs/acre) | Salt (lbs/acre) | Amount |
|---|---|---|---|---|---|---|
| Canal | Ground water | 0.00 | 0.00 | 0.00 | 256.98 | 8,505,000.00 *gal* |
| Application event totals | | 0.00 | 0.00 | 0.00 | 256.98 | |

## Bispo - 06/03/2023: Corn, silage

| Application date | Application method | Precipitation 24 hours prior | Precipitation during application | Precipitation 24 hours following |
|---|---|---|---|---|
| 08/08/2023 | Surface (irrigation) | No precipitation | No precipitation | No precipitation |

| Source description | Material type | N (lbs/acre) | P (lbs/acre) | K (lbs/acre) | Salt (lbs/acre) | Amount |
|---|---|---|---|---|---|---|
| WWS | Process wastewater | 33.08 | 10.84 | 138.81 | 519.35 | 480,000.00 *gal* |
| Canal | Ground water | 0.00 | 0.00 | 0.00 | 122.37 | 4,050,000.00 *gal* |
| Application event totals | | 33.08 | 10.84 | 138.81 | 641.72 | |

| Application date | Application method | Precipitation 24 hours prior | Precipitation during application | Precipitation 24 hours following |
|---|---|---|---|---|
| 08/16/2023 | Surface (irrigation) | No precipitation | No precipitation | No precipitation |

| Source description | Material type | N (lbs/acre) | P (lbs/acre) | K (lbs/acre) | Salt (lbs/acre) | Amount |
|---|---|---|---|---|---|---|
| Canal | Ground water | 0.00 | 0.00 | 0.00 | 122.37 | 4,050,000.00 *gal* |
| Application event totals | | 0.00 | 0.00 | 0.00 | 122.37 | |

| Application date | Application method | Precipitation 24 hours prior | Precipitation during application | Precipitation 24 hours following |
|---|---|---|---|---|
| 08/29/2023 | Surface (irrigation) | No precipitation | No precipitation | No precipitation |

| Source description | Material type | N (lbs/acre) | P (lbs/acre) | K (lbs/acre) | Salt (lbs/acre) | Amount |
|---|---|---|---|---|---|---|
| WWS | Process wastewater | 33.08 | 10.84 | 138.81 | 519.35 | 480,000.00 *gal* |
| Application event totals | | 33.08 | 10.84 | 138.81 | 519.35 | |

| Application date | Application method | Precipitation 24 hours prior | Precipitation during application | Precipitation 24 hours following |
|---|---|---|---|---|
| 08/29/2023 | Surface (irrigation) | No precipitation | No precipitation | No precipitation |

| Source description | Material type | N (lbs/acre) | P (lbs/acre) | K (lbs/acre) | Salt (lbs/acre) | Amount |
|---|---|---|---|---|---|---|
| Canal | Ground water | 0.00 | 0.00 | 0.00 | 122.37 | 4,050,000.00 *gal* |
| Application event totals | | 0.00 | 0.00 | 0.00 | 122.37 | |

| Application date | Application method | Precipitation 24 hours prior | Precipitation during application | Precipitation 24 hours following |
|---|---|---|---|---|
| 09/10/2023 | Surface (irrigation) | No precipitation | No precipitation | No precipitation |

| Source description | Material type | N (lbs/acre) | P (lbs/acre) | K (lbs/acre) | Salt (lbs/acre) | Amount |
|---|---|---|---|---|---|---|
| Canal | Ground water | 0.00 | 0.00 | 0.00 | 73.42 | 2,430,000.00 *gal* |
| Application event totals | | 0.00 | 0.00 | 0.00 | 73.42 | |

## Dougherty - 10/21/2022: Oats, silage-soft dough

Field name: Dougherty

Crop: Oats, silage-soft dough

Plant date: 10/21/2022

| Application date | Application method | Precipitation 24 hours prior | Precipitation during application | Precipitation 24 hours following |
|---|---|---|---|---|

## Dougherty - 10/21/2022: Oats, silage-soft dough

| Application date | Application method | Precipitation 24 hours prior | Precipitation during application | Precipitation 24 hours following |
|---|---|---|---|---|
| 10/09/2022 | Surface (irrigation) | No precipitation | No precipitation | No precipitation |

| Source description | Material type | N (lbs/acre) | P (lbs/acre) | K (lbs/acre) | Salt (lbs/acre) | Amount |
|---|---|---|---|---|---|---|
| WWS | Process wastewater | 59.46 | 3.94 | 69.97 | 395.55 | 480,000.00 *gal* |
| Canal | Ground water | 0.00 | 0.00 | 0.00 | 177.44 | 3,240,000.00 *gal* |
| Application event totals | | 59.46 | 3.94 | 69.97 | 572.99 | |

| Application date | Application method | Precipitation 24 hours prior | Precipitation during application | Precipitation 24 hours following |
|---|---|---|---|---|
| 02/18/2023 | Surface (irrigation) | No precipitation | No precipitation | No precipitation |

| Source description | Material type | N (lbs/acre) | P (lbs/acre) | K (lbs/acre) | Salt (lbs/acre) | Amount |
|---|---|---|---|---|---|---|
| WWS | Process wastewater | 71.35 | 4.73 | 83.97 | 474.66 | 576,000.00 *gal* |
| Application event totals | | 71.35 | 4.73 | 83.97 | 474.66 | |

| Application date | Application method | Precipitation 24 hours prior | Precipitation during application | Precipitation 24 hours following |
|---|---|---|---|---|
| 03/04/2023 | Surface (irrigation) | No precipitation | No precipitation | No precipitation |

| Source description | Material type | N (lbs/acre) | P (lbs/acre) | K (lbs/acre) | Salt (lbs/acre) | Amount |
|---|---|---|---|---|---|---|
| WWS | Process wastewater | 71.95 | 23.58 | 301.92 | 1,129.58 | 576,000.00 *gal* |
| Canal | Ground water | 0.00 | 0.00 | 0.00 | 212.92 | 3,888,000.00 *gal* |
| Application event totals | | 71.95 | 23.58 | 301.92 | 1,342.50 | |

| Application date | Application method | Precipitation 24 hours prior | Precipitation during application | Precipitation 24 hours following |
|---|---|---|---|---|
| 04/12/2023 | Surface (irrigation) | No precipitation | No precipitation | No precipitation |

| Source description | Material type | N (lbs/acre) | P (lbs/acre) | K (lbs/acre) | Salt (lbs/acre) | Amount |
|---|---|---|---|---|---|---|
| WWS | Process wastewater | 59.96 | 19.65 | 251.60 | 941.32 | 480,000.00 *gal* |
| Canal | Ground water | 0.00 | 0.00 | 0.00 | 177.44 | 3,240,000.00 *gal* |
| Application event totals | | 59.96 | 19.65 | 251.60 | 1,118.75 | |

## Dougherty - 07/28/2023: Sudangrass, silage

Field name: Dougherty

Crop: Sudangrass, silage

Plant date: 07/28/2023

| Application date | Application method | Precipitation 24 hours prior | Precipitation during application | Precipitation 24 hours following |
|---|---|---|---|---|

## Dougherty - 07/28/2023: Sudangrass, silage

| Application date | Application method | Precipitation 24 hours prior | Precipitation during application | Precipitation 24 hours following |
|---|---|---|---|---|
| 07/30/2023 | Surface (irrigation) | No precipitation | No precipitation | No precipitation |

| Source description | Material type | N (lbs/acre) | P (lbs/acre) | K (lbs/acre) | Salt (lbs/acre) | Amount |
|---|---|---|---|---|---|---|
| Canal | Ground water | 0.00 | 0.00 | 0.00 | 177.44 | 3,240,000.00 *gal* |
| Application event totals | | 0.00 | 0.00 | 0.00 | 177.44 | |

| Application date | Application method | Precipitation 24 hours prior | Precipitation during application | Precipitation 24 hours following |
|---|---|---|---|---|
| 08/08/2023 | Surface (irrigation) | No precipitation | No precipitation | No precipitation |

| Source description | Material type | N (lbs/acre) | P (lbs/acre) | K (lbs/acre) | Salt (lbs/acre) | Amount |
|---|---|---|---|---|---|---|
| WWS | Process wastewater | 71.95 | 23.58 | 301.92 | 1,129.58 | 576,000.00 *gal* |
| Canal | Ground water | 0.00 | 0.00 | 0.00 | 212.92 | 3,888,000.00 *gal* |
| Application event totals | | 71.95 | 23.58 | 301.92 | 1,342.50 | |

| Application date | Application method | Precipitation 24 hours prior | Precipitation during application | Precipitation 24 hours following |
|---|---|---|---|---|
| 08/18/2023 | Surface (irrigation) | No precipitation | No precipitation | No precipitation |

| Source description | Material type | N (lbs/acre) | P (lbs/acre) | K (lbs/acre) | Salt (lbs/acre) | Amount |
|---|---|---|---|---|---|---|
| WWS | Process wastewater | 65.95 | 21.62 | 276.76 | 1,035.45 | 528,000.00 *gal* |
| Canal | Ground water | 0.00 | 0.00 | 0.00 | 195.18 | 3,564,000.00 *gal* |
| Application event totals | | 65.95 | 21.62 | 276.76 | 1,230.63 | |

| Application date | Application method | Precipitation 24 hours prior | Precipitation during application | Precipitation 24 hours following |
|---|---|---|---|---|
| 08/28/2023 | Surface (irrigation) | No precipitation | No precipitation | No precipitation |

| Source description | Material type | N (lbs/acre) | P (lbs/acre) | K (lbs/acre) | Salt (lbs/acre) | Amount |
|---|---|---|---|---|---|---|
| WWS | Process wastewater | 59.96 | 19.65 | 251.60 | 941.32 | 480,000.00 *gal* |
| Canal | Ground water | 0.00 | 0.00 | 0.00 | 177.44 | 3,240,000.00 *gal* |
| Application event totals | | 59.96 | 19.65 | 251.60 | 1,118.75 | |

## Estacio 1 - 10/19/2022: Oats, silage-soft dough

Field name: Estacio 1

Crop: Oats, silage-soft dough

Plant date: 10/19/2022

| Application date | Application method | Precipitation 24 hours prior | Precipitation during application | Precipitation 24 hours following |
|---|---|---|---|---|

## Estacio 1 - 10/19/2022: Oats, silage-soft dough

| Application date | Application method | Precipitation 24 hours prior | Precipitation during application | Precipitation 24 hours following |
|---|---|---|---|---|
| 10/11/2022 | Surface (irrigation) | No precipitation | No precipitation | No precipitation |

| Source description | Material type | N (lbs/acre) | P (lbs/acre) | K (lbs/acre) | Salt (lbs/acre) | Amount |
|---|---|---|---|---|---|---|
| Canal | Ground water | 0.00 | 0.00 | 0.00 | 157.72 | 4,050,000.00 *gal* |
| Application event totals | | 0.00 | 0.00 | 0.00 | 157.72 | |

| Application date | Application method | Precipitation 24 hours prior | Precipitation during application | Precipitation 24 hours following |
|---|---|---|---|---|
| 01/11/2023 | Surface (irrigation) | No precipitation | No precipitation | No precipitation |

| Source description | Material type | N (lbs/acre) | P (lbs/acre) | K (lbs/acre) | Salt (lbs/acre) | Amount |
|---|---|---|---|---|---|---|
| WWS | Process wastewater | 114.16 | 7.57 | 134.35 | 759.46 | 1,296,000.00 *gal* |
| Application event totals | | 114.16 | 7.57 | 134.35 | 759.46 | |

| Application date | Application method | Precipitation 24 hours prior | Precipitation during application | Precipitation 24 hours following |
|---|---|---|---|---|
| 04/11/2023 | Surface (irrigation) | No precipitation | No precipitation | No precipitation |

| Source description | Material type | N (lbs/acre) | P (lbs/acre) | K (lbs/acre) | Salt (lbs/acre) | Amount |
|---|---|---|---|---|---|---|
| WWS | Process wastewater | 42.64 | 13.98 | 178.92 | 669.38 | 480,000.00 *gal* |
| Canal | Ground water | 0.00 | 0.00 | 0.00 | 157.72 | 4,050,000.00 *gal* |
| Application event totals | | 42.64 | 13.98 | 178.92 | 827.10 | |

## Estacio 1 - 06/03/2023: Corn, silage

Field name: Estacio 1

Crop: Corn, silage

Plant date: 06/03/2023

| Application date | Application method | Precipitation 24 hours prior | Precipitation during application | Precipitation 24 hours following |
|---|---|---|---|---|
| 05/21/2023 | Surface (irrigation) | No precipitation | No precipitation | No precipitation |

| Source description | Material type | N (lbs/acre) | P (lbs/acre) | K (lbs/acre) | Salt (lbs/acre) | Amount |
|---|---|---|---|---|---|---|
| WWS | Process wastewater | 36.24 | 11.88 | 152.08 | 568.97 | 408,000.00 *gal* |
| Canal | Ground water | 0.00 | 0.00 | 0.00 | 134.06 | 3,442,500.00 *gal* |
| Application event totals | | 36.24 | 11.88 | 152.08 | 703.04 | |

Estacio 1 - 06/03/2023: Corn, silage

| Application date | Application method | Precipitation 24 hours prior | Precipitation during application | Precipitation 24 hours following |
|---|---|---|---|---|
| 07/01/2023 | Surface (irrigation) | No precipitation | No precipitation | No precipitation |

| Source description | Material type | N (lbs/acre) | P (lbs/acre) | K (lbs/acre) | Salt (lbs/acre) | Amount |
|---|---|---|---|---|---|---|
| Canal | Ground water | 0.00 | 0.00 | 0.00 | 114.35 | 2,936,250.00 *gal* |
| Application event totals | | 0.00 | 0.00 | 0.00 | 114.35 | |

| Application date | Application method | Precipitation 24 hours prior | Precipitation during application | Precipitation 24 hours following |
|---|---|---|---|---|
| 07/08/2023 | Surface (irrigation) | No precipitation | No precipitation | No precipitation |

| Source description | Material type | N (lbs/acre) | P (lbs/acre) | K (lbs/acre) | Salt (lbs/acre) | Amount |
|---|---|---|---|---|---|---|
| WWS | Process wastewater | 51.16 | 16.77 | 214.70 | 803.26 | 576,000.00 *gal* |
| Canal | Ground water | 0.00 | 0.00 | 0.00 | 189.26 | 4,860,000.00 *gal* |
| Application event totals | | 51.16 | 16.77 | 214.70 | 992.52 | |

| Application date | Application method | Precipitation 24 hours prior | Precipitation during application | Precipitation 24 hours following |
|---|---|---|---|---|
| 07/18/2023 | Surface (irrigation) | No precipitation | No precipitation | No precipitation |

| Source description | Material type | N (lbs/acre) | P (lbs/acre) | K (lbs/acre) | Salt (lbs/acre) | Amount |
|---|---|---|---|---|---|---|
| WWS | Process wastewater | 42.64 | 13.98 | 178.92 | 669.38 | 480,000.00 *gal* |
| Canal | Ground water | 0.00 | 0.00 | 0.00 | 157.72 | 4,050,000.00 *gal* |
| Application event totals | | 42.64 | 13.98 | 178.92 | 827.10 | |

| Application date | Application method | Precipitation 24 hours prior | Precipitation during application | Precipitation 24 hours following |
|---|---|---|---|---|
| 07/29/2023 | Surface (irrigation) | No precipitation | No precipitation | No precipitation |

| Source description | Material type | N (lbs/acre) | P (lbs/acre) | K (lbs/acre) | Salt (lbs/acre) | Amount |
|---|---|---|---|---|---|---|
| Canal | Ground water | 0.00 | 0.00 | 0.00 | 212.92 | 5,467,500.00 *gal* |
| Application event totals | | 0.00 | 0.00 | 0.00 | 212.92 | |

| Application date | Application method | Precipitation 24 hours prior | Precipitation during application | Precipitation 24 hours following |
|---|---|---|---|---|
| 08/07/2023 | Surface (irrigation) | No precipitation | No precipitation | No precipitation |

| Source description | Material type | N (lbs/acre) | P (lbs/acre) | K (lbs/acre) | Salt (lbs/acre) | Amount |
|---|---|---|---|---|---|---|
| WWS | Process wastewater | 42.64 | 13.98 | 178.92 | 669.38 | 480,000.00 *gal* |
| Canal | Ground water | 0.00 | 0.00 | 0.00 | 157.72 | 4,050,000.00 *gal* |
| Application event totals | | 42.64 | 13.98 | 178.92 | 827.10 | |

## Estacio 1 - 06/03/2023: Corn, silage

| Application date | Application method | Precipitation 24 hours prior | Precipitation during application | Precipitation 24 hours following |
|---|---|---|---|---|
| 08/17/2023 | Surface (irrigation) | No precipitation | No precipitation | No precipitation |

| Source description | Material type | N (lbs/acre) | P (lbs/acre) | K (lbs/acre) | Salt (lbs/acre) | Amount |
|---|---|---|---|---|---|---|
| WWS | Process wastewater | 51.16 | 16.77 | 214.70 | 803.26 | 576,000.00 *gal* |
| Canal | Ground water | 0.00 | 0.00 | 0.00 | 189.26 | 4,860,000.00 *gal* |
| Application event totals | | 51.16 | 16.77 | 214.70 | 992.52 | |

| Application date | Application method | Precipitation 24 hours prior | Precipitation during application | Precipitation 24 hours following |
|---|---|---|---|---|
| 08/28/2023 | Surface (irrigation) | No precipitation | No precipitation | No precipitation |

| Source description | Material type | N (lbs/acre) | P (lbs/acre) | K (lbs/acre) | Salt (lbs/acre) | Amount |
|---|---|---|---|---|---|---|
| Canal | Ground water | 0.00 | 0.00 | 0.00 | 181.38 | 4,657,500.00 *gal* |
| Application event totals | | 0.00 | 0.00 | 0.00 | 181.38 | |

| Application date | Application method | Precipitation 24 hours prior | Precipitation during application | Precipitation 24 hours following |
|---|---|---|---|---|
| 09/10/2023 | Surface (irrigation) | No precipitation | No precipitation | No precipitation |

| Source description | Material type | N (lbs/acre) | P (lbs/acre) | K (lbs/acre) | Salt (lbs/acre) | Amount |
|---|---|---|---|---|---|---|
| Canal | Ground water | 0.00 | 0.00 | 0.00 | 173.49 | 4,455,000.00 *gal* |
| Application event totals | | 0.00 | 0.00 | 0.00 | 173.49 | |

## Estacio 2 - 10/22/2022: Oats, silage-soft dough

Field name: Estacio 2

Crop: Oats, silage-soft dough

Plant date: 10/22/2022

| Application date | Application method | Precipitation 24 hours prior | Precipitation during application | Precipitation 24 hours following |
|---|---|---|---|---|
| 10/13/2022 | Surface (irrigation) | No precipitation | No precipitation | No precipitation |

| Source description | Material type | N (lbs/acre) | P (lbs/acre) | K (lbs/acre) | Salt (lbs/acre) | Amount |
|---|---|---|---|---|---|---|
| WWS | Process wastewater | 57.08 | 3.79 | 67.17 | 379.73 | 288,000.00 *gal* |
| Canal | Ground water | 0.00 | 0.00 | 0.00 | 212.92 | 2,430,000.00 *gal* |
| Application event totals | | 57.08 | 3.79 | 67.17 | 592.65 | |

## Estacio 2 - 10/22/2022: Oats, silage-soft dough

| Application date | Application method | Precipitation 24 hours prior | Precipitation during application | Precipitation 24 hours following |
|---|---|---|---|---|
| 01/12/2023 | Surface (irrigation) | No precipitation | No precipitation | No precipitation |

| Source description | Material type | N (lbs/acre) | P (lbs/acre) | K (lbs/acre) | Salt (lbs/acre) | Amount |
|---|---|---|---|---|---|---|
| WWS | Process wastewater | 76.11 | 5.05 | 89.57 | 506.31 | 384,000.00 *gal* |
| Application event totals | | 76.11 | 5.05 | 89.57 | 506.31 | |

| Application date | Application method | Precipitation 24 hours prior | Precipitation during application | Precipitation 24 hours following |
|---|---|---|---|---|
| 04/10/2023 | Surface (irrigation) | No precipitation | No precipitation | No precipitation |

| Source description | Material type | N (lbs/acre) | P (lbs/acre) | K (lbs/acre) | Salt (lbs/acre) | Amount |
|---|---|---|---|---|---|---|
| WWS | Process wastewater | 57.56 | 18.87 | 241.54 | 903.66 | 288,000.00 *gal* |
| Canal | Ground water | 0.00 | 0.00 | 0.00 | 212.92 | 2,430,000.00 *gal* |
| Application event totals | | 57.56 | 18.87 | 241.54 | 1,116.59 | |

## Estacio 2 - 06/03/2023: Corn, silage

Field name: Estacio 2

Crop: Corn, silage

Plant date: 06/03/2023

| Application date | Application method | Precipitation 24 hours prior | Precipitation during application | Precipitation 24 hours following |
|---|---|---|---|---|
| 05/20/2023 | Surface (irrigation) | No precipitation | No precipitation | No precipitation |

| Source description | Material type | N (lbs/acre) | P (lbs/acre) | K (lbs/acre) | Salt (lbs/acre) | Amount |
|---|---|---|---|---|---|---|
| WWS | Process wastewater | 76.75 | 25.16 | 322.05 | 1,204.88 | 384,000.00 *gal* |
| Canal | Ground water | 0.00 | 0.00 | 0.00 | 283.90 | 3,240,000.00 *gal* |
| Application event totals | | 76.75 | 25.16 | 322.05 | 1,488.78 | |

| Application date | Application method | Precipitation 24 hours prior | Precipitation during application | Precipitation 24 hours following |
|---|---|---|---|---|
| 07/01/2023 | Surface (irrigation) | No precipitation | No precipitation | No precipitation |

| Source description | Material type | N (lbs/acre) | P (lbs/acre) | K (lbs/acre) | Salt (lbs/acre) | Amount |
|---|---|---|---|---|---|---|
| Canal | Ground water | 0.00 | 0.00 | 0.00 | 425.85 | 4,860,000.00 *gal* |
| Application event totals | | 0.00 | 0.00 | 0.00 | 425.85 | |

## Estacio 2 - 06/03/2023: Corn, silage

| Application date | Application method | Precipitation 24 hours prior | Precipitation during application | Precipitation 24 hours following |
|---|---|---|---|---|
| 07/08/2023 | Surface (irrigation) | No precipitation | No precipitation | No precipitation |

| Source description | Material type | N (lbs/acre) | P (lbs/acre) | K (lbs/acre) | Salt (lbs/acre) | Amount |
|---|---|---|---|---|---|---|
| WWS | Process wastewater | 43.17 | 14.15 | 181.15 | 677.75 | 216,000.00 *gal* |
| Canal | Ground water | 0.00 | 0.00 | 0.00 | 159.69 | 1,822,500.00 *gal* |
| Application event totals | | 43.17 | 14.15 | 181.15 | 837.44 | |

| Application date | Application method | Precipitation 24 hours prior | Precipitation during application | Precipitation 24 hours following |
|---|---|---|---|---|
| 07/17/2023 | Surface (irrigation) | No precipitation | No precipitation | No precipitation |

| Source description | Material type | N (lbs/acre) | P (lbs/acre) | K (lbs/acre) | Salt (lbs/acre) | Amount |
|---|---|---|---|---|---|---|
| WWS | Process wastewater | 67.15 | 22.01 | 281.79 | 1,054.27 | 336,000.00 *gal* |
| Canal | Ground water | 0.00 | 0.00 | 0.00 | 248.41 | 2,835,000.00 *gal* |
| Application event totals | | 67.15 | 22.01 | 281.79 | 1,302.68 | |

| Application date | Application method | Precipitation 24 hours prior | Precipitation during application | Precipitation 24 hours following |
|---|---|---|---|---|
| 07/29/2023 | Surface (irrigation) | No precipitation | No precipitation | No precipitation |

| Source description | Material type | N (lbs/acre) | P (lbs/acre) | K (lbs/acre) | Salt (lbs/acre) | Amount |
|---|---|---|---|---|---|---|
| Canal | Ground water | 0.00 | 0.00 | 0.00 | 177.44 | 2,025,000.00 *gal* |
| Application event totals | | 0.00 | 0.00 | 0.00 | 177.44 | |

| Application date | Application method | Precipitation 24 hours prior | Precipitation during application | Precipitation 24 hours following |
|---|---|---|---|---|
| 08/07/2023 | Surface (irrigation) | No precipitation | No precipitation | No precipitation |

| Source description | Material type | N (lbs/acre) | P (lbs/acre) | K (lbs/acre) | Salt (lbs/acre) | Amount |
|---|---|---|---|---|---|---|
| WWS | Process wastewater | 47.97 | 15.72 | 201.28 | 753.05 | 240,000.00 *gal* |
| Canal | Ground water | 0.00 | 0.00 | 0.00 | 177.44 | 2,025,000.00 *gal* |
| Application event totals | | 47.97 | 15.72 | 201.28 | 930.49 | |

| Application date | Application method | Precipitation 24 hours prior | Precipitation during application | Precipitation 24 hours following |
|---|---|---|---|---|
| 08/17/2023 | Surface (irrigation) | No precipitation | No precipitation | No precipitation |

| Source description | Material type | N (lbs/acre) | P (lbs/acre) | K (lbs/acre) | Salt (lbs/acre) | Amount |
|---|---|---|---|---|---|---|
| Canal | Ground water | 0.00 | 0.00 | 0.00 | 177.44 | 2,025,000.00 *gal* |
| Application event totals | | 0.00 | 0.00 | 0.00 | 177.44 | |

## Estacio 2 - 06/03/2023: Corn, silage

| Application date | Application method | Precipitation 24 hours prior | Precipitation during application | Precipitation 24 hours following |
|---|---|---|---|---|
| 08/28/2023 | Surface (irrigation) | No precipitation | No precipitation | No precipitation |

| Source description | Material type | N (lbs/acre) | P (lbs/acre) | K (lbs/acre) | Salt (lbs/acre) | Amount |
|---|---|---|---|---|---|---|
| Canal | Ground water | 0.00 | 0.00 | 0.00 | 177.44 | 2,025,000.00 *gal* |
| Application event totals | | 0.00 | 0.00 | 0.00 | 177.44 | |

| Application date | Application method | Precipitation 24 hours prior | Precipitation during application | Precipitation 24 hours following |
|---|---|---|---|---|
| 09/10/2023 | Surface (irrigation) | No precipitation | No precipitation | No precipitation |

| Source description | Material type | N (lbs/acre) | P (lbs/acre) | K (lbs/acre) | Salt (lbs/acre) | Amount |
|---|---|---|---|---|---|---|
| Canal | Ground water | 0.00 | 0.00 | 0.00 | 159.69 | 1,822,500.00 *gal* |
| Application event totals | | 0.00 | 0.00 | 0.00 | 159.69 | |

## Estacio 3 - 10/22/2022: Oats, silage-soft dough

Field name: Estacio 3

Crop: Oats, silage-soft dough

Plant date: 10/22/2022

| Application date | Application method | Precipitation 24 hours prior | Precipitation during application | Precipitation 24 hours following |
|---|---|---|---|---|
| 09/25/2022 | Surface (irrigation) | No precipitation | No precipitation | No precipitation |

| Source description | Material type | N (lbs/acre) | P (lbs/acre) | K (lbs/acre) | Salt (lbs/acre) | Amount |
|---|---|---|---|---|---|---|
| Separator Solids | Separator solids | 163.60 | 46.41 | 83.55 | 3,230.89 | 250.00 *ton* |
| Application event totals | | 163.60 | 46.41 | 83.55 | 3,230.89 | |

| Application date | Application method | Precipitation 24 hours prior | Precipitation during application | Precipitation 24 hours following |
|---|---|---|---|---|
| 10/14/2022 | Surface (irrigation) | No precipitation | No precipitation | No precipitation |

| Source description | Material type | N (lbs/acre) | P (lbs/acre) | K (lbs/acre) | Salt (lbs/acre) | Amount |
|---|---|---|---|---|---|---|
| Canal | Ground water | 0.00 | 0.00 | 0.00 | 261.48 | 2,835,000.00 *gal* |
| Application event totals | | 0.00 | 0.00 | 0.00 | 261.48 | |

| Application date | Application method | Precipitation 24 hours prior | Precipitation during application | Precipitation 24 hours following |
|---|---|---|---|---|
| 04/11/2023 | Surface (irrigation) | No precipitation | No precipitation | No precipitation |

| Source description | Material type | N (lbs/acre) | P (lbs/acre) | K (lbs/acre) | Salt (lbs/acre) | Amount |
|---|---|---|---|---|---|---|
| Canal | Ground water | 0.00 | 0.00 | 0.00 | 261.48 | 2,835,000.00 *gal* |
| Application event totals | | 0.00 | 0.00 | 0.00 | 261.48 | |

## Estacio 3 - 06/03/2023: Corn, silage

Field name: Estacio 3

Crop: Corn, silage

Plant date: 06/03/2023

| Application date | Application method | Precipitation 24 hours prior | Precipitation during application | Precipitation 24 hours following |
|---|---|---|---|---|
| 05/08/2023 | Broadcast/incorporate | No precipitation | No precipitation | No precipitation |

| Source description | Material type | N (lbs/acre) | P (lbs/acre) | K (lbs/acre) | Salt (lbs/acre) | Amount |
|---|---|---|---|---|---|---|
| Corral Solids | Corral solids | 234.47 | 59.66 | 13.87 | 4,023.37 | 200.00 *ton* |
| Application event totals | | 234.47 | 59.66 | 13.87 | 4,023.37 | |

| Application date | Application method | Precipitation 24 hours prior | Precipitation during application | Precipitation 24 hours following |
|---|---|---|---|---|
| 05/20/2023 | Surface (irrigation) | No precipitation | No precipitation | No precipitation |

| Source description | Material type | N (lbs/acre) | P (lbs/acre) | K (lbs/acre) | Salt (lbs/acre) | Amount |
|---|---|---|---|---|---|---|
| Canal | Ground water | 0.00 | 0.00 | 0.00 | 466.94 | 5,062,500.00 *gal* |
| Application event totals | | 0.00 | 0.00 | 0.00 | 466.94 | |

| Application date | Application method | Precipitation 24 hours prior | Precipitation during application | Precipitation 24 hours following |
|---|---|---|---|---|
| 06/30/2023 | Surface (irrigation) | No precipitation | No precipitation | No precipitation |

| Source description | Material type | N (lbs/acre) | P (lbs/acre) | K (lbs/acre) | Salt (lbs/acre) | Amount |
|---|---|---|---|---|---|---|
| Canal | Ground water | 0.00 | 0.00 | 0.00 | 317.52 | 3,442,500.00 *gal* |
| Application event totals | | 0.00 | 0.00 | 0.00 | 317.52 | |

| Application date | Application method | Precipitation 24 hours prior | Precipitation during application | Precipitation 24 hours following |
|---|---|---|---|---|
| 07/08/2023 | Surface (irrigation) | No precipitation | No precipitation | No precipitation |

| Source description | Material type | N (lbs/acre) | P (lbs/acre) | K (lbs/acre) | Salt (lbs/acre) | Amount |
|---|---|---|---|---|---|---|
| Canal | Ground water | 0.00 | 0.00 | 0.00 | 224.13 | 2,430,000.00 *gal* |
| Application event totals | | 0.00 | 0.00 | 0.00 | 224.13 | |

| Application date | Application method | Precipitation 24 hours prior | Precipitation during application | Precipitation 24 hours following |
|---|---|---|---|---|
| 07/18/2023 | Surface (irrigation) | No precipitation | No precipitation | No precipitation |

| Source description | Material type | N (lbs/acre) | P (lbs/acre) | K (lbs/acre) | Salt (lbs/acre) | Amount |
|---|---|---|---|---|---|---|
| Canal | Ground water | 0.00 | 0.00 | 0.00 | 261.48 | 2,835,000.00 *gal* |
| Application event totals | | 0.00 | 0.00 | 0.00 | 261.48 | |

| Application date | Application method | Precipitation 24 hours prior | Precipitation during application | Precipitation 24 hours following |
|---|---|---|---|---|
| 07/29/2023 | Surface (irrigation) | No precipitation | No precipitation | No precipitation |

| Source description | Material type | N (lbs/acre) | P (lbs/acre) | K (lbs/acre) | Salt (lbs/acre) | Amount |
|---|---|---|---|---|---|---|
| Canal | Ground water | 0.00 | 0.00 | 0.00 | 261.48 | 2,835,000.00 *gal* |
| Application event totals | | 0.00 | 0.00 | 0.00 | 261.48 | |

## Estacio 3 - 06/03/2023: Corn, silage

| Application date | Application method | Precipitation 24 hours prior | Precipitation during application | Precipitation 24 hours following |
|---|---|---|---|---|
| 08/07/2023 | Surface (irrigation) | No precipitation | No precipitation | No precipitation |

| Source description | Material type | N (lbs/acre) | P (lbs/acre) | K (lbs/acre) | Salt (lbs/acre) | Amount |
|---|---|---|---|---|---|---|
| Canal | Ground water | 0.00 | 0.00 | 0.00 | 186.77 | 2,025,000.00 *gal* |
| Application event totals | | 0.00 | 0.00 | 0.00 | 186.77 | |

| Application date | Application method | Precipitation 24 hours prior | Precipitation during application | Precipitation 24 hours following |
|---|---|---|---|---|
| 08/17/2023 | Surface (irrigation) | No precipitation | No precipitation | No precipitation |

| Source description | Material type | N (lbs/acre) | P (lbs/acre) | K (lbs/acre) | Salt (lbs/acre) | Amount |
|---|---|---|---|---|---|---|
| Canal | Ground water | 0.00 | 0.00 | 0.00 | 149.42 | 1,620,000.00 *gal* |
| Application event totals | | 0.00 | 0.00 | 0.00 | 149.42 | |

| Application date | Application method | Precipitation 24 hours prior | Precipitation during application | Precipitation 24 hours following |
|---|---|---|---|---|
| 08/27/2023 | Surface (irrigation) | No precipitation | No precipitation | No precipitation |

| Source description | Material type | N (lbs/acre) | P (lbs/acre) | K (lbs/acre) | Salt (lbs/acre) | Amount |
|---|---|---|---|---|---|---|
| Canal | Ground water | 0.00 | 0.00 | 0.00 | 205.45 | 2,227,500.00 *gal* |
| Application event totals | | 0.00 | 0.00 | 0.00 | 205.45 | |

| Application date | Application method | Precipitation 24 hours prior | Precipitation during application | Precipitation 24 hours following |
|---|---|---|---|---|
| 09/10/2023 | Surface (irrigation) | No precipitation | No precipitation | No precipitation |

| Source description | Material type | N (lbs/acre) | P (lbs/acre) | K (lbs/acre) | Salt (lbs/acre) | Amount |
|---|---|---|---|---|---|---|
| Canal | Ground water | 0.00 | 0.00 | 0.00 | 205.45 | 2,227,500.00 *gal* |
| Application event totals | | 0.00 | 0.00 | 0.00 | 205.45 | |

## Estacio 4 - 10/19/2022: Oats, silage-soft dough

Field name: Estacio 4

Crop: Oats, silage-soft dough

Plant date: 10/19/2022

| Application date | Application method | Precipitation 24 hours prior | Precipitation during application | Precipitation 24 hours following |
|---|---|---|---|---|
| 10/10/2022 | Surface (irrigation) | No precipitation | No precipitation | No precipitation |

| Source description | Material type | N (lbs/acre) | P (lbs/acre) | K (lbs/acre) | Salt (lbs/acre) | Amount |
|---|---|---|---|---|---|---|
| WWS | Process wastewater | 52.85 | 3.50 | 62.20 | 351.60 | 480,000.00 *gal* |
| Canal | Ground water | 0.00 | 0.00 | 0.00 | 197.15 | 4,050,000.00 *gal* |
| Application event totals | | 52.85 | 3.50 | 62.20 | 548.75 | |

## Estacio 4 - 10/19/2022: Oats, silage-soft dough

| Application date | Application method | Precipitation 24 hours prior | Precipitation during application | Precipitation 24 hours following |
|---|---|---|---|---|
| 01/07/2023 | Surface (irrigation) | No precipitation | No precipitation | No precipitation |

| Source description | Material type | N (lbs/acre) | P (lbs/acre) | K (lbs/acre) | Salt (lbs/acre) | Amount |
|---|---|---|---|---|---|---|
| WWS | Process wastewater | 63.42 | 4.21 | 74.64 | 421.92 | 576,000.00 *gal* |
| Application event totals | | 63.42 | 4.21 | 74.64 | 421.92 | |

| Application date | Application method | Precipitation 24 hours prior | Precipitation during application | Precipitation 24 hours following |
|---|---|---|---|---|
| 04/11/2023 | Surface (irrigation) | No precipitation | No precipitation | No precipitation |

| Source description | Material type | N (lbs/acre) | P (lbs/acre) | K (lbs/acre) | Salt (lbs/acre) | Amount |
|---|---|---|---|---|---|---|
| WWS | Process wastewater | 47.97 | 15.72 | 201.28 | 753.05 | 432,000.00 *gal* |
| Canal | Ground water | 0.00 | 0.00 | 0.00 | 177.44 | 3,645,000.00 *gal* |
| Application event totals | | 47.97 | 15.72 | 201.28 | 930.49 | |

## Estacio 4 - 06/03/2023: Corn, silage

Field name: Estacio 4

Crop: Corn, silage

Plant date: 06/03/2023

| Application date | Application method | Precipitation 24 hours prior | Precipitation during application | Precipitation 24 hours following |
|---|---|---|---|---|
| 05/23/2023 | Surface (irrigation) | No precipitation | No precipitation | No precipitation |

| Source description | Material type | N (lbs/acre) | P (lbs/acre) | K (lbs/acre) | Salt (lbs/acre) | Amount |
|---|---|---|---|---|---|---|
| WWS | Process wastewater | 78.61 | 25.77 | 329.88 | 1,234.17 | 708,000.00 *gal* |
| Canal | Ground water | 0.00 | 0.00 | 0.00 | 290.80 | 5,973,750.00 *gal* |
| Application event totals | | 78.61 | 25.77 | 329.88 | 1,524.97 | |

| Application date | Application method | Precipitation 24 hours prior | Precipitation during application | Precipitation 24 hours following |
|---|---|---|---|---|
| 07/01/2023 | Surface (irrigation) | No precipitation | No precipitation | No precipitation |

| Source description | Material type | N (lbs/acre) | P (lbs/acre) | K (lbs/acre) | Salt (lbs/acre) | Amount |
|---|---|---|---|---|---|---|
| Canal | Ground water | 0.00 | 0.00 | 0.00 | 266.15 | 5,467,500.00 *gal* |
| Application event totals | | 0.00 | 0.00 | 0.00 | 266.15 | |

Estacio 4 - 06/03/2023: Corn, silage

| Application date | Application method | Precipitation 24 hours prior | Precipitation during application | Precipitation 24 hours following |
|---|---|---|---|---|
| 07/09/2023 | Surface (irrigation) | No precipitation | No precipitation | No precipitation |

| Source description | Material type | N (lbs/acre) | P (lbs/acre) | K (lbs/acre) | Salt (lbs/acre) | Amount |
|---|---|---|---|---|---|---|
| WWS | Process wastewater | 42.64 | 13.98 | 178.92 | 669.38 | 384,000.00 *gal* |
| Canal | Ground water | 0.00 | 0.00 | 0.00 | 157.72 | 3,240,000.00 *gal* |
| Application event totals | | 42.64 | 13.98 | 178.92 | 827.10 | |

| Application date | Application method | Precipitation 24 hours prior | Precipitation during application | Precipitation 24 hours following |
|---|---|---|---|---|
| 07/18/2023 | Surface (irrigation) | No precipitation | No precipitation | No precipitation |

| Source description | Material type | N (lbs/acre) | P (lbs/acre) | K (lbs/acre) | Salt (lbs/acre) | Amount |
|---|---|---|---|---|---|---|
| WWS | Process wastewater | 47.97 | 15.72 | 201.28 | 753.05 | 432,000.00 *gal* |
| Canal | Ground water | 0.00 | 0.00 | 0.00 | 177.44 | 3,645,000.00 *gal* |
| Application event totals | | 47.97 | 15.72 | 201.28 | 930.49 | |

| Application date | Application method | Precipitation 24 hours prior | Precipitation during application | Precipitation 24 hours following |
|---|---|---|---|---|
| 07/30/2023 | Surface (irrigation) | No precipitation | No precipitation | No precipitation |

| Source description | Material type | N (lbs/acre) | P (lbs/acre) | K (lbs/acre) | Salt (lbs/acre) | Amount |
|---|---|---|---|---|---|---|
| Canal | Ground water | 0.00 | 0.00 | 0.00 | 167.58 | 3,442,500.00 *gal* |
| Application event totals | | 0.00 | 0.00 | 0.00 | 167.58 | |

| Application date | Application method | Precipitation 24 hours prior | Precipitation during application | Precipitation 24 hours following |
|---|---|---|---|---|
| 08/08/2023 | Surface (irrigation) | No precipitation | No precipitation | No precipitation |

| Source description | Material type | N (lbs/acre) | P (lbs/acre) | K (lbs/acre) | Salt (lbs/acre) | Amount |
|---|---|---|---|---|---|---|
| WWS | Process wastewater | 47.97 | 15.72 | 201.28 | 753.05 | 432,000.00 *gal* |
| Canal | Ground water | 0.00 | 0.00 | 0.00 | 177.44 | 3,645,000.00 *gal* |
| Application event totals | | 47.97 | 15.72 | 201.28 | 930.49 | |

| Application date | Application method | Precipitation 24 hours prior | Precipitation during application | Precipitation 24 hours following |
|---|---|---|---|---|
| 08/18/2023 | Surface (irrigation) | No precipitation | No precipitation | No precipitation |

| Source description | Material type | N (lbs/acre) | P (lbs/acre) | K (lbs/acre) | Salt (lbs/acre) | Amount |
|---|---|---|---|---|---|---|
| Canal | Ground water | 0.00 | 0.00 | 0.00 | 177.44 | 3,645,000.00 *gal* |
| Application event totals | | 0.00 | 0.00 | 0.00 | 177.44 | |

## Estacio 4 - 06/03/2023: Corn, silage

| Application date | Application method | Precipitation 24 hours prior | Precipitation during application | Precipitation 24 hours following |
|---|---|---|---|---|
| 08/28/2023 | Surface (irrigation) | No precipitation | No precipitation | No precipitation |

| Source description | Material type | N (lbs/acre) | P (lbs/acre) | K (lbs/acre) | Salt (lbs/acre) | Amount |
|---|---|---|---|---|---|---|
| WWS | Process wastewater | 42.64 | 13.98 | 178.92 | 669.38 | 384,000.00 *gal* |
| Canal | Ground water | 0.00 | 0.00 | 0.00 | 157.72 | 3,240,000.00 *gal* |
| Application event totals | | 42.64 | 13.98 | 178.92 | 827.10 | |

| Application date | Application method | Precipitation 24 hours prior | Precipitation during application | Precipitation 24 hours following |
|---|---|---|---|---|
| 09/11/2023 | Surface (irrigation) | No precipitation | No precipitation | No precipitation |

| Source description | Material type | N (lbs/acre) | P (lbs/acre) | K (lbs/acre) | Salt (lbs/acre) | Amount |
|---|---|---|---|---|---|---|
| Canal | Ground water | 0.00 | 0.00 | 0.00 | 118.29 | 2,430,000.00 *gal* |
| Application event totals | | 0.00 | 0.00 | 0.00 | 118.29 | |

## Estacio 5 - 10/22/2022: Oats, silage-soft dough

Field name: Estacio 5

Crop: Oats, silage-soft dough

Plant date: 10/22/2022

| Application date | Application method | Precipitation 24 hours prior | Precipitation during application | Precipitation 24 hours following |
|---|---|---|---|---|
| 10/10/2022 | Surface (irrigation) | No precipitation | No precipitation | No precipitation |

| Source description | Material type | N (lbs/acre) | P (lbs/acre) | K (lbs/acre) | Salt (lbs/acre) | Amount |
|---|---|---|---|---|---|---|
| WWS | Process wastewater | 70.47 | 4.67 | 82.93 | 468.80 | 480,000.00 *gal* |
| Canal | Ground water | 0.00 | 0.00 | 0.00 | 262.87 | 4,050,000.00 *gal* |
| Application event totals | | 70.47 | 4.67 | 82.93 | 731.67 | |

| Application date | Application method | Precipitation 24 hours prior | Precipitation during application | Precipitation 24 hours following |
|---|---|---|---|---|
| 01/09/2023 | Surface (irrigation) | No precipitation | No precipitation | No precipitation |

| Source description | Material type | N (lbs/acre) | P (lbs/acre) | K (lbs/acre) | Salt (lbs/acre) | Amount |
|---|---|---|---|---|---|---|
| WWS | Process wastewater | 84.56 | 5.61 | 99.52 | 562.56 | 576,000.00 *gal* |
| Application event totals | | 84.56 | 5.61 | 99.52 | 562.56 | |

## Estacio 5 - 10/22/2022: Oats, silage-soft dough

| Application date | Application method | Precipitation 24 hours prior | Precipitation during application | Precipitation 24 hours following |
|---|---|---|---|---|
| 04/11/2023 | Surface (irrigation) | No precipitation | No precipitation | No precipitation |

| Source description | Material type | N (lbs/acre) | P (lbs/acre) | K (lbs/acre) | Salt (lbs/acre) | Amount |
|---|---|---|---|---|---|---|
| WWS | Process wastewater | 85.27 | 27.95 | 357.83 | 1,338.76 | 576,000.00 *gal* |
| Canal | Ground water | 0.00 | 0.00 | 0.00 | 315.44 | 4,860,000.00 *gal* |
| Application event totals | | 85.27 | 27.95 | 357.83 | 1,654.20 | |

## Estacio 5 - 07/28/2023: Sudangrass, silage

Field name: Estacio 5

Crop: Sudangrass, silage

Plant date: 07/28/2023

| Application date | Application method | Precipitation 24 hours prior | Precipitation during application | Precipitation 24 hours following |
|---|---|---|---|---|
| 07/15/2023 | Surface (irrigation) | No precipitation | No precipitation | No precipitation |

| Source description | Material type | N (lbs/acre) | P (lbs/acre) | K (lbs/acre) | Salt (lbs/acre) | Amount |
|---|---|---|---|---|---|---|
| Canal | Ground water | 0.00 | 0.00 | 0.00 | 236.58 | 3,645,000.00 *gal* |
| Application event totals | | 0.00 | 0.00 | 0.00 | 236.58 | |

| | | | | |
|---|---|---|---|---|
| 08/08/2023 | Surface (irrigation) | No precipitation | No precipitation | No precipitation |

| Source description | Material type | N (lbs/acre) | P (lbs/acre) | K (lbs/acre) | Salt (lbs/acre) | Amount |
|---|---|---|---|---|---|---|
| WWS | Process wastewater | 63.96 | 20.96 | 268.38 | 1,004.07 | 432,000.00 *gal* |
| Canal | Ground water | 0.00 | 0.00 | 0.00 | 236.58 | 3,645,000.00 *gal* |
| Application event totals | | 63.96 | 20.96 | 268.38 | 1,240.65 | |

| | | | | |
|---|---|---|---|---|
| 08/18/2023 | Surface (irrigation) | No precipitation | No precipitation | No precipitation |

| Source description | Material type | N (lbs/acre) | P (lbs/acre) | K (lbs/acre) | Salt (lbs/acre) | Amount |
|---|---|---|---|---|---|---|
| WWS | Process wastewater | 49.74 | 16.30 | 208.74 | 780.94 | 336,000.00 *gal* |
| Canal | Ground water | 0.00 | 0.00 | 0.00 | 184.01 | 2,835,000.00 *gal* |
| Application event totals | | 49.74 | 16.30 | 208.74 | 964.95 | |

## Estacio 5 - 07/28/2023: Sudangrass, silage

| Application date | Application method | Precipitation 24 hours prior | Precipitation during application | Precipitation 24 hours following |
|---|---|---|---|---|
| 08/29/2023 | Surface (irrigation) | No precipitation | No precipitation | No precipitation |

| Source description | Material type | N (lbs/acre) | P (lbs/acre) | K (lbs/acre) | Salt (lbs/acre) | Amount |
|---|---|---|---|---|---|---|
| WWS | Process wastewater | 42.64 | 13.98 | 178.92 | 669.38 | 288,000.00 *gal* |
| Canal | Ground water | 0.00 | 0.00 | 0.00 | 157.72 | 2,430,000.00 *gal* |
| Application event totals | | 42.64 | 13.98 | 178.92 | 827.10 | |

| Application date | Application method | Precipitation 24 hours prior | Precipitation during application | Precipitation 24 hours following |
|---|---|---|---|---|
| 09/11/2023 | Surface (irrigation) | No precipitation | No precipitation | No precipitation |

| Source description | Material type | N (lbs/acre) | P (lbs/acre) | K (lbs/acre) | Salt (lbs/acre) | Amount |
|---|---|---|---|---|---|---|
| Canal | Ground water | 0.00 | 0.00 | 0.00 | 118.29 | 1,822,500.00 *gal* |
| Application event totals | | 0.00 | 0.00 | 0.00 | 118.29 | |

## Heifer Ranch - 10/19/2022: Oats, silage-soft dough

Field name: Heifer Ranch

Crop: Oats, silage-soft dough

Plant date: 10/19/2022

| Application date | Application method | Precipitation 24 hours prior | Precipitation during application | Precipitation 24 hours following |
|---|---|---|---|---|
| 10/09/2022 | Surface (irrigation) | No precipitation | No precipitation | No precipitation |

| Source description | Material type | N (lbs/acre) | P (lbs/acre) | K (lbs/acre) | Salt (lbs/acre) | Amount |
|---|---|---|---|---|---|---|
| WWS | Process wastewater | 91.00 | 6.03 | 107.09 | 605.37 | 528,000.00 *gal* |
| Canal | Ground water | 0.00 | 0.00 | 0.00 | 203.67 | 2,673,000.00 *gal* |
| Application event totals | | 91.00 | 6.03 | 107.09 | 809.03 | |

| Application date | Application method | Precipitation 24 hours prior | Precipitation during application | Precipitation 24 hours following |
|---|---|---|---|---|
| 01/18/2023 | Surface (irrigation) | No precipitation | No precipitation | No precipitation |

| Source description | Material type | N (lbs/acre) | P (lbs/acre) | K (lbs/acre) | Salt (lbs/acre) | Amount |
|---|---|---|---|---|---|---|
| WWS | Process wastewater | 66.18 | 4.39 | 77.88 | 440.27 | 384,000.00 *gal* |
| Application event totals | | 66.18 | 4.39 | 77.88 | 440.27 | |

## Heifer Ranch - 10/19/2022: Oats, silage-soft dough

| Application date | Application method | Precipitation 24 hours prior | Precipitation during application | Precipitation 24 hours following |
|---|---|---|---|---|
| 04/10/2023 | Surface (irrigation) | No precipitation | No precipitation | No precipitation |

| Source description | Material type | N (lbs/acre) | P (lbs/acre) | K (lbs/acre) | Salt (lbs/acre) | Amount |
|---|---|---|---|---|---|---|
| WWS | Process wastewater | 83.42 | 27.34 | 350.05 | 1,309.66 | 480,000.00 *gal* |
| Canal | Ground water | 0.00 | 0.00 | 0.00 | 185.15 | 2,430,000.00 *gal* |
| Application event totals | | 83.42 | 27.34 | 350.05 | 1,494.81 | |

## Heifer Ranch - 06/03/2023: Corn, silage

Field name: Heifer Ranch

Crop: Corn, silage

Plant date: 06/03/2023

| Application date | Application method | Precipitation 24 hours prior | Precipitation during application | Precipitation 24 hours following |
|---|---|---|---|---|
| 05/19/2023 | Surface (irrigation) | No precipitation | No precipitation | No precipitation |

| Source description | Material type | N (lbs/acre) | P (lbs/acre) | K (lbs/acre) | Salt (lbs/acre) | Amount |
|---|---|---|---|---|---|---|
| WWS | Process wastewater | 91.76 | 30.08 | 385.06 | 1,440.62 | 528,000.00 *gal* |
| Canal | Ground water | 0.00 | 0.00 | 0.00 | 203.67 | 2,673,000.00 *gal* |
| Application event totals | | 91.76 | 30.08 | 385.06 | 1,644.29 | |

| Application date | Application method | Precipitation 24 hours prior | Precipitation during application | Precipitation 24 hours following |
|---|---|---|---|---|
| 06/29/2023 | Surface (irrigation) | No precipitation | No precipitation | No precipitation |

| Source description | Material type | N (lbs/acre) | P (lbs/acre) | K (lbs/acre) | Salt (lbs/acre) | Amount |
|---|---|---|---|---|---|---|
| Canal | Ground water | 0.00 | 0.00 | 0.00 | 203.67 | 2,673,000.00 *gal* |
| Application event totals | | 0.00 | 0.00 | 0.00 | 203.67 | |

| Application date | Application method | Precipitation 24 hours prior | Precipitation during application | Precipitation 24 hours following |
|---|---|---|---|---|
| 07/07/2023 | Surface (irrigation) | No precipitation | No precipitation | No precipitation |

| Source description | Material type | N (lbs/acre) | P (lbs/acre) | K (lbs/acre) | Salt (lbs/acre) | Amount |
|---|---|---|---|---|---|---|
| Canal | Ground water | 0.00 | 0.00 | 0.00 | 194.41 | 2,551,500.00 *gal* |
| Application event totals | | 0.00 | 0.00 | 0.00 | 194.41 | |

## Heifer Ranch - 06/03/2023: Corn, silage

| Application date | Application method | Precipitation 24 hours prior | Precipitation during application | Precipitation 24 hours following |
|---|---|---|---|---|
| 07/17/2023 | Surface (irrigation) | No precipitation | No precipitation | No precipitation |

| Source description | Material type | N (lbs/acre) | P (lbs/acre) | K (lbs/acre) | Salt (lbs/acre) | Amount |
|---|---|---|---|---|---|---|
| WWS | Process wastewater | 58.39 | 19.14 | 245.04 | 916.76 | 336,000.00 *gal* |
| Canal | Ground water | 0.00 | 0.00 | 0.00 | 129.61 | 1,701,000.00 *gal* |
| Application event totals | | 58.39 | 19.14 | 245.04 | 1,046.37 | |

| Application date | Application method | Precipitation 24 hours prior | Precipitation during application | Precipitation 24 hours following |
|---|---|---|---|---|
| 07/28/2023 | Surface (irrigation) | No precipitation | No precipitation | No precipitation |

| Source description | Material type | N (lbs/acre) | P (lbs/acre) | K (lbs/acre) | Salt (lbs/acre) | Amount |
|---|---|---|---|---|---|---|
| WWS | Process wastewater | 49.36 | 16.18 | 207.12 | 774.88 | 284,000.00 *gal* |
| Canal | Ground water | 0.00 | 0.00 | 0.00 | 148.12 | 1,944,000.00 *gal* |
| Application event totals | | 49.36 | 16.18 | 207.12 | 923.00 | |

| Application date | Application method | Precipitation 24 hours prior | Precipitation during application | Precipitation 24 hours following |
|---|---|---|---|---|
| 08/07/2023 | Surface (irrigation) | No precipitation | No precipitation | No precipitation |

| Source description | Material type | N (lbs/acre) | P (lbs/acre) | K (lbs/acre) | Salt (lbs/acre) | Amount |
|---|---|---|---|---|---|---|
| WWS | Process wastewater | 58.39 | 19.14 | 245.04 | 916.76 | 336,000.00 *gal* |
| Canal | Ground water | 0.00 | 0.00 | 0.00 | 129.61 | 1,701,000.00 *gal* |
| Application event totals | | 58.39 | 19.14 | 245.04 | 1,046.37 | |

| Application date | Application method | Precipitation 24 hours prior | Precipitation during application | Precipitation 24 hours following |
|---|---|---|---|---|
| 08/17/2023 | Surface (irrigation) | No precipitation | No precipitation | No precipitation |

| Source description | Material type | N (lbs/acre) | P (lbs/acre) | K (lbs/acre) | Salt (lbs/acre) | Amount |
|---|---|---|---|---|---|---|
| Canal | Ground water | 0.00 | 0.00 | 0.00 | 120.35 | 1,579,500.00 *gal* |
| Application event totals | | 0.00 | 0.00 | 0.00 | 120.35 | |

| Application date | Application method | Precipitation 24 hours prior | Precipitation during application | Precipitation 24 hours following |
|---|---|---|---|---|
| 08/27/2023 | Surface (irrigation) | No precipitation | No precipitation | No precipitation |

| Source description | Material type | N (lbs/acre) | P (lbs/acre) | K (lbs/acre) | Salt (lbs/acre) | Amount |
|---|---|---|---|---|---|---|
| Canal | Ground water | 0.00 | 0.00 | 0.00 | 101.83 | 1,336,500.00 *gal* |
| Application event totals | | 0.00 | 0.00 | 0.00 | 101.83 | |

## Heifer Ranch - 06/03/2023: Corn, silage

| Application date | Application method | Precipitation 24 hours prior | Precipitation during application | Precipitation 24 hours following |
|---|---|---|---|---|
| 09/10/2023 | Surface (irrigation) | No precipitation | No precipitation | No precipitation |

| Source description | Material type | N (lbs/acre) | P (lbs/acre) | K (lbs/acre) | Salt (lbs/acre) | Amount |
|---|---|---|---|---|---|---|
| Canal | Ground water | 0.00 | 0.00 | 0.00 | 83.32 | 1,093,500.00 *gal* |
| Application event totals | | 0.00 | 0.00 | 0.00 | 83.32 | |

## Home - 10/22/2022: Oats, silage-soft dough

Field name: Home

Crop: Oats, silage-soft dough

Plant date: 10/22/2022

| Application date | Application method | Precipitation 24 hours prior | Precipitation during application | Precipitation 24 hours following |
|---|---|---|---|---|
| 10/08/2022 | Surface (irrigation) | No precipitation | No precipitation | No precipitation |

| Source description | Material type | N (lbs/acre) | P (lbs/acre) | K (lbs/acre) | Salt (lbs/acre) | Amount |
|---|---|---|---|---|---|---|
| WWS | Process wastewater | 73.18 | 4.85 | 86.12 | 486.83 | 240,000.00 *gal* |
| Canal | Ground water | 0.00 | 0.00 | 0.00 | 218.38 | 1,620,000.00 *gal* |
| Application event totals | | 73.18 | 4.85 | 86.12 | 705.22 | |

| | | | | |
|---|---|---|---|---|
| 02/18/2023 | Surface (irrigation) | No precipitation | No precipitation | No precipitation |

| Source description | Material type | N (lbs/acre) | P (lbs/acre) | K (lbs/acre) | Salt (lbs/acre) | Amount |
|---|---|---|---|---|---|---|
| WWS | Process wastewater | 73.80 | 24.19 | 309.66 | 1,158.54 | 240,000.00 *gal* |
| Application event totals | | 73.80 | 24.19 | 309.66 | 1,158.54 | |

| | | | | |
|---|---|---|---|---|
| 04/12/2023 | Surface (irrigation) | No precipitation | No precipitation | No precipitation |

| Source description | Material type | N (lbs/acre) | P (lbs/acre) | K (lbs/acre) | Salt (lbs/acre) | Amount |
|---|---|---|---|---|---|---|
| WWS | Process wastewater | 59.04 | 19.35 | 247.73 | 926.83 | 192,000.00 *gal* |
| Canal | Ground water | 0.00 | 0.00 | 0.00 | 174.71 | 1,296,000.00 *gal* |
| Application event totals | | 59.04 | 19.35 | 247.73 | 1,101.54 | |

## Home - 06/02/2023: Corn, silage

## Home - 06/02/2023: Corn, silage

Field name: Home

Crop: Corn, silage

Plant date: 06/02/2023

| Application date | Application method | Precipitation 24 hours prior | Precipitation during application | Precipitation 24 hours following |
|---|---|---|---|---|
| 05/08/2023 | Surface (irrigation) | No precipitation | No precipitation | No precipitation |

| Source description | Material type | N (lbs/acre) | P (lbs/acre) | K (lbs/acre) | Salt (lbs/acre) | Amount |
|---|---|---|---|---|---|---|
| Canal | Ground water | 0.00 | 0.00 | 0.00 | 365.01 | 1,458,000.00 *gal* |
| Application event totals | | 0.00 | 0.00 | 0.00 | 365.01 | |

| Application date | Application method | Precipitation 24 hours prior | Precipitation during application | Precipitation 24 hours following |
|---|---|---|---|---|
| 05/23/2023 | Surface (irrigation) | No precipitation | No precipitation | No precipitation |

| Source description | Material type | N (lbs/acre) | P (lbs/acre) | K (lbs/acre) | Salt (lbs/acre) | Amount |
|---|---|---|---|---|---|---|
| Canal | Ground water | 0.00 | 0.00 | 0.00 | 243.34 | 972,000.00 *gal* |
| Application event totals | | 0.00 | 0.00 | 0.00 | 243.34 | |

| Application date | Application method | Precipitation 24 hours prior | Precipitation during application | Precipitation 24 hours following |
|---|---|---|---|---|
| 06/24/2023 | Surface (irrigation) | No precipitation | No precipitation | No precipitation |

| Source description | Material type | N (lbs/acre) | P (lbs/acre) | K (lbs/acre) | Salt (lbs/acre) | Amount |
|---|---|---|---|---|---|---|
| Canal | Ground water | 0.00 | 0.00 | 0.00 | 283.90 | 1,134,000.00 *gal* |
| Application event totals | | 0.00 | 0.00 | 0.00 | 283.90 | |

| Application date | Application method | Precipitation 24 hours prior | Precipitation during application | Precipitation 24 hours following |
|---|---|---|---|---|
| 07/08/2023 | Surface (irrigation) | No precipitation | No precipitation | No precipitation |

| Source description | Material type | N (lbs/acre) | P (lbs/acre) | K (lbs/acre) | Salt (lbs/acre) | Amount |
|---|---|---|---|---|---|---|
| Canal | Ground water | 0.00 | 0.00 | 0.00 | 182.51 | 729,000.00 *gal* |
| Application event totals | | 0.00 | 0.00 | 0.00 | 182.51 | |

| Application date | Application method | Precipitation 24 hours prior | Precipitation during application | Precipitation 24 hours following |
|---|---|---|---|---|
| 07/19/2023 | Surface (irrigation) | No precipitation | No precipitation | No precipitation |

| Source description | Material type | N (lbs/acre) | P (lbs/acre) | K (lbs/acre) | Salt (lbs/acre) | Amount |
|---|---|---|---|---|---|---|
| WWS | Process wastewater | 68.52 | 22.46 | 287.54 | 1,075.79 | 120,000.00 *gal* |
| Canal | Ground water | 0.00 | 0.00 | 0.00 | 202.78 | 810,000.00 *gal* |
| Application event totals | | 68.52 | 22.46 | 287.54 | 1,278.57 | |

## Home - 06/02/2023: Corn, silage

| Application date | Application method | Precipitation 24 hours prior | Precipitation during application | Precipitation 24 hours following |
|---|---|---|---|---|
| 07/30/2023 | Surface (irrigation) | No precipitation | No precipitation | No precipitation |

| Source description | Material type | N (lbs/acre) | P (lbs/acre) | K (lbs/acre) | Salt (lbs/acre) | Amount |
|---|---|---|---|---|---|---|
| WWS | Process wastewater | 68.52 | 22.46 | 287.54 | 1,075.79 | 120,000.00 *gal* |
| Canal | Ground water | 0.00 | 0.00 | 0.00 | 202.78 | 810,000.00 *gal* |
| Application event totals | | 68.52 | 22.46 | 287.54 | 1,278.57 | |

| Application date | Application method | Precipitation 24 hours prior | Precipitation during application | Precipitation 24 hours following |
|---|---|---|---|---|
| 08/08/2023 | Surface (irrigation) | No precipitation | No precipitation | No precipitation |

| Source description | Material type | N (lbs/acre) | P (lbs/acre) | K (lbs/acre) | Salt (lbs/acre) | Amount |
|---|---|---|---|---|---|---|
| WWS | Process wastewater | 27.41 | 8.98 | 115.02 | 430.32 | 48,000.00 *gal* |
| Canal | Ground water | 0.00 | 0.00 | 0.00 | 81.11 | 324,000.00 *gal* |
| Application event totals | | 27.41 | 8.98 | 115.02 | 511.43 | |

| Application date | Application method | Precipitation 24 hours prior | Precipitation during application | Precipitation 24 hours following |
|---|---|---|---|---|
| 08/18/2023 | Surface (irrigation) | No precipitation | No precipitation | No precipitation |

| Source description | Material type | N (lbs/acre) | P (lbs/acre) | K (lbs/acre) | Salt (lbs/acre) | Amount |
|---|---|---|---|---|---|---|
| Canal | Ground water | 0.00 | 0.00 | 0.00 | 81.11 | 324,000.00 *gal* |
| Application event totals | | 0.00 | 0.00 | 0.00 | 81.11 | |

| Application date | Application method | Precipitation 24 hours prior | Precipitation during application | Precipitation 24 hours following |
|---|---|---|---|---|
| 08/28/2023 | Surface (irrigation) | No precipitation | No precipitation | No precipitation |

| Source description | Material type | N (lbs/acre) | P (lbs/acre) | K (lbs/acre) | Salt (lbs/acre) | Amount |
|---|---|---|---|---|---|---|
| WWS | Process wastewater | 54.82 | 17.97 | 230.04 | 860.63 | 96,000.00 *gal* |
| Canal | Ground water | 0.00 | 0.00 | 0.00 | 162.23 | 648,000.00 *gal* |
| Application event totals | | 54.82 | 17.97 | 230.04 | 1,022.86 | |

## Mitchell - 10/22/2022: Oats, silage-soft dough

Field name: Mitchell

Crop: Oats, silage-soft dough

Plant date: 10/22/2022

| Application date | Application method | Precipitation 24 hours prior | Precipitation during application | Precipitation 24 hours following |
|---|---|---|---|---|

## Mitchell - 10/22/2022: Oats, silage-soft dough

| Application date | Application method | Precipitation 24 hours prior | Precipitation during application | Precipitation 24 hours following |
|---|---|---|---|---|
| 10/14/2022 | Surface (irrigation) | No precipitation | No precipitation | No precipitation |

| Source description | Material type | N (lbs/acre) | P (lbs/acre) | K (lbs/acre) | Salt (lbs/acre) | Amount |
|---|---|---|---|---|---|---|
| Canal | Ground water | 0.00 | 0.00 | 0.00 | 205.45 | 2,227,500.00 *gal* |
| Application event totals | | 0.00 | 0.00 | 0.00 | 205.45 | |

| Application date | Application method | Precipitation 24 hours prior | Precipitation during application | Precipitation 24 hours following |
|---|---|---|---|---|
| 01/10/2023 | Surface (irrigation) | No precipitation | No precipitation | No precipitation |

| Source description | Material type | N (lbs/acre) | P (lbs/acre) | K (lbs/acre) | Salt (lbs/acre) | Amount |
|---|---|---|---|---|---|---|
| WWS | Process wastewater | 60.08 | 3.98 | 70.71 | 399.72 | 288,000.00 *gal* |
| Application event totals | | 60.08 | 3.98 | 70.71 | 399.72 | |

| Application date | Application method | Precipitation 24 hours prior | Precipitation during application | Precipitation 24 hours following |
|---|---|---|---|---|
| 02/27/2023 | Surface (irrigation) | No precipitation | No precipitation | No precipitation |

| Source description | Material type | N (lbs/acre) | P (lbs/acre) | K (lbs/acre) | Salt (lbs/acre) | Amount |
|---|---|---|---|---|---|---|
| WWS | Process wastewater | 80.79 | 26.48 | 339.00 | 1,268.30 | 384,000.00 *gal* |
| Application event totals | | 80.79 | 26.48 | 339.00 | 1,268.30 | |

| Application date | Application method | Precipitation 24 hours prior | Precipitation during application | Precipitation 24 hours following |
|---|---|---|---|---|
| 03/23/2023 | Surface (irrigation) | No precipitation | No precipitation | No precipitation |

| Source description | Material type | N (lbs/acre) | P (lbs/acre) | K (lbs/acre) | Salt (lbs/acre) | Amount |
|---|---|---|---|---|---|---|
| WWS | Process wastewater | 45.44 | 14.89 | 190.69 | 713.42 | 216,000.00 *gal* |
| Canal | Ground water | 0.00 | 0.00 | 0.00 | 168.10 | 1,822,500.00 *gal* |
| Application event totals | | 45.44 | 14.89 | 190.69 | 881.52 | |

| Application date | Application method | Precipitation 24 hours prior | Precipitation during application | Precipitation 24 hours following |
|---|---|---|---|---|
| 04/11/2023 | Surface (irrigation) | No precipitation | No precipitation | No precipitation |

| Source description | Material type | N (lbs/acre) | P (lbs/acre) | K (lbs/acre) | Salt (lbs/acre) | Amount |
|---|---|---|---|---|---|---|
| Canal | Ground water | 0.00 | 0.00 | 0.00 | 205.45 | 2,227,500.00 *gal* |
| Application event totals | | 0.00 | 0.00 | 0.00 | 205.45 | |

## Mitchell - 05/27/2023: Corn, silage

Field name: Mitchell

Crop: Corn, silage

Plant date: 05/27/2023

| Application date | Application method | Precipitation 24 hours prior | Precipitation during application | Precipitation 24 hours following |
|---|---|---|---|---|

Mitchell - 05/27/2023: Corn, silage

| Application date | Application method | Precipitation 24 hours prior | Precipitation during application | Precipitation 24 hours following |
|---|---|---|---|---|
| 05/18/2023 | Surface (irrigation) | No precipitation | No precipitation | No precipitation |

| Source description | Material type | N (lbs/acre) | P (lbs/acre) | K (lbs/acre) | Salt (lbs/acre) | Amount |
|---|---|---|---|---|---|---|
| WWS | Process wastewater | 100.98 | 33.10 | 423.75 | 1,585.37 | 480,000.00 *gal* |
| Canal | Ground water | 0.00 | 0.00 | 0.00 | 373.55 | 4,050,000.00 *gal* |
| Application event totals | | 100.98 | 33.10 | 423.75 | 1,958.92 | |

| Application date | Application method | Precipitation 24 hours prior | Precipitation during application | Precipitation 24 hours following |
|---|---|---|---|---|
| 06/25/2023 | Surface (irrigation) | No precipitation | No precipitation | No precipitation |

| Source description | Material type | N (lbs/acre) | P (lbs/acre) | K (lbs/acre) | Salt (lbs/acre) | Amount |
|---|---|---|---|---|---|---|
| Canal | Ground water | 0.00 | 0.00 | 0.00 | 242.81 | 2,632,500.00 *gal* |
| Application event totals | | 0.00 | 0.00 | 0.00 | 242.81 | |

| Application date | Application method | Precipitation 24 hours prior | Precipitation during application | Precipitation 24 hours following |
|---|---|---|---|---|
| 07/08/2023 | Surface (irrigation) | No precipitation | No precipitation | No precipitation |

| Source description | Material type | N (lbs/acre) | P (lbs/acre) | K (lbs/acre) | Salt (lbs/acre) | Amount |
|---|---|---|---|---|---|---|
| Canal | Ground water | 0.00 | 0.00 | 0.00 | 224.13 | 2,430,000.00 *gal* |
| Application event totals | | 0.00 | 0.00 | 0.00 | 224.13 | |

| Application date | Application method | Precipitation 24 hours prior | Precipitation during application | Precipitation 24 hours following |
|---|---|---|---|---|
| 07/20/2023 | Surface (irrigation) | No precipitation | No precipitation | No precipitation |

| Source description | Material type | N (lbs/acre) | P (lbs/acre) | K (lbs/acre) | Salt (lbs/acre) | Amount |
|---|---|---|---|---|---|---|
| Canal | Ground water | 0.00 | 0.00 | 0.00 | 224.13 | 2,430,000.00 *gal* |
| Application event totals | | 0.00 | 0.00 | 0.00 | 224.13 | |

| Application date | Application method | Precipitation 24 hours prior | Precipitation during application | Precipitation 24 hours following |
|---|---|---|---|---|
| 07/30/2023 | Surface (irrigation) | No precipitation | No precipitation | No precipitation |

| Source description | Material type | N (lbs/acre) | P (lbs/acre) | K (lbs/acre) | Salt (lbs/acre) | Amount |
|---|---|---|---|---|---|---|
| WWS | Process wastewater | 55.54 | 18.20 | 233.06 | 871.96 | 264,000.00 *gal* |
| Canal | Ground water | 0.00 | 0.00 | 0.00 | 20.98 | 227,500.00 *gal* |
| Application event totals | | 55.54 | 18.20 | 233.06 | 892.94 | |

## Mitchell - 05/27/2023: Corn, silage

| Application date | Application method | Precipitation 24 hours prior | Precipitation during application | Precipitation 24 hours following |
|---|---|---|---|---|
| 08/07/2023 | Surface (irrigation) | No precipitation | No precipitation | No precipitation |

| Source description | Material type | N (lbs/acre) | P (lbs/acre) | K (lbs/acre) | Salt (lbs/acre) | Amount |
|---|---|---|---|---|---|---|
| WWS | Process wastewater | 55.54 | 18.20 | 233.06 | 871.96 | 264,000.00 *gal* |
| Canal | Ground water | 0.00 | 0.00 | 0.00 | 205.45 | 2,227,500.00 *gal* |
| Application event totals | | 55.54 | 18.20 | 233.06 | 1,077.41 | |

| Application date | Application method | Precipitation 24 hours prior | Precipitation during application | Precipitation 24 hours following |
|---|---|---|---|---|
| 08/16/2023 | Surface (irrigation) | No precipitation | No precipitation | No precipitation |

| Source description | Material type | N (lbs/acre) | P (lbs/acre) | K (lbs/acre) | Salt (lbs/acre) | Amount |
|---|---|---|---|---|---|---|
| WWS | Process wastewater | 50.49 | 16.55 | 211.88 | 792.69 | 240,000.00 *gal* |
| Canal | Ground water | 0.00 | 0.00 | 0.00 | 186.77 | 2,025,000.00 *gal* |
| Application event totals | | 50.49 | 16.55 | 211.88 | 979.46 | |

| Application date | Application method | Precipitation 24 hours prior | Precipitation during application | Precipitation 24 hours following |
|---|---|---|---|---|
| 08/29/2023 | Surface (irrigation) | No precipitation | No precipitation | No precipitation |

| Source description | Material type | N (lbs/acre) | P (lbs/acre) | K (lbs/acre) | Salt (lbs/acre) | Amount |
|---|---|---|---|---|---|---|
| Canal | Ground water | 0.00 | 0.00 | 0.00 | 205.45 | 2,227,500.00 *gal* |
| Application event totals | | 0.00 | 0.00 | 0.00 | 205.45 | |

## New Place - 10/19/2022: Oats, silage-soft dough

Field name: New Place

Crop: Oats, silage-soft dough

Plant date: 10/19/2022

| Application date | Application method | Precipitation 24 hours prior | Precipitation during application | Precipitation 24 hours following |
|---|---|---|---|---|
| 10/09/2022 | Surface (irrigation) | No precipitation | No precipitation | No precipitation |

| Source description | Material type | N (lbs/acre) | P (lbs/acre) | K (lbs/acre) | Salt (lbs/acre) | Amount |
|---|---|---|---|---|---|---|
| WWS | Process wastewater | 40.77 | 2.70 | 47.98 | 271.24 | 432,000.00 *gal* |
| Canal | Ground water | 0.00 | 0.00 | 0.00 | 168.99 | 4,050,000.00 *gal* |
| Application event totals | | 40.77 | 2.70 | 47.98 | 440.22 | |

## New Place - 10/19/2022: Oats, silage-soft dough

| Application date | Application method | Precipitation 24 hours prior | Precipitation during application | Precipitation 24 hours following |
|---|---|---|---|---|
| 01/04/2023 | Surface (irrigation) | No precipitation | No precipitation | No precipitation |

| Source description | Material type | N (lbs/acre) | P (lbs/acre) | K (lbs/acre) | Salt (lbs/acre) | Amount |
|---|---|---|---|---|---|---|
| WWS | Process wastewater | 54.36 | 3.61 | 63.98 | 361.65 | 576,000.00 *gal* |
| Application event totals | | 54.36 | 3.61 | 63.98 | 361.65 | |

| Application date | Application method | Precipitation 24 hours prior | Precipitation during application | Precipitation 24 hours following |
|---|---|---|---|---|
| 03/01/2023 | Surface (irrigation) | No precipitation | No precipitation | No precipitation |

| Source description | Material type | N (lbs/acre) | P (lbs/acre) | K (lbs/acre) | Salt (lbs/acre) | Amount |
|---|---|---|---|---|---|---|
| WWS | Process wastewater | 36.55 | 11.98 | 153.36 | 573.75 | 384,000.00 *gal* |
| Canal | Ground water | 0.00 | 0.00 | 0.00 | 165.61 | 3,969,000.00 *gal* |
| Application event totals | | 36.55 | 11.98 | 153.36 | 739.36 | |

| Application date | Application method | Precipitation 24 hours prior | Precipitation during application | Precipitation 24 hours following |
|---|---|---|---|---|
| 04/10/2023 | Surface (irrigation) | No precipitation | No precipitation | No precipitation |

| Source description | Material type | N (lbs/acre) | P (lbs/acre) | K (lbs/acre) | Salt (lbs/acre) | Amount |
|---|---|---|---|---|---|---|
| WWS | Process wastewater | 43.40 | 14.22 | 182.11 | 681.33 | 456,000.00 *gal* |
| Canal | Ground water | 0.00 | 0.00 | 0.00 | 165.61 | 3,969,000.00 *gal* |
| Application event totals | | 43.40 | 14.22 | 182.11 | 846.94 | |

## New Place - 05/27/2023: Corn, silage

Field name: New Place

Crop: Corn, silage

Plant date: 05/27/2023

| Application date | Application method | Precipitation 24 hours prior | Precipitation during application | Precipitation 24 hours following |
|---|---|---|---|---|
| 05/19/2023 | Surface (irrigation) | No precipitation | No precipitation | No precipitation |

| Source description | Material type | N (lbs/acre) | P (lbs/acre) | K (lbs/acre) | Salt (lbs/acre) | Amount |
|---|---|---|---|---|---|---|
| WWS | Process wastewater | 73.09 | 23.96 | 306.71 | 1,147.51 | 768,000.00 *gal* |
| Canal | Ground water | 0.00 | 0.00 | 0.00 | 270.38 | 6,480,000.00 *gal* |
| Application event totals | | 73.09 | 23.96 | 306.71 | 1,417.89 | |

New Place - 05/27/2023: Corn, silage

| Application date | Application method | Precipitation 24 hours prior | Precipitation during application | Precipitation 24 hours following |
|---|---|---|---|---|
| 06/24/2023 | Surface (irrigation) | No precipitation | No precipitation | No precipitation |

| Source description | Material type | N (lbs/acre) | P (lbs/acre) | K (lbs/acre) | Salt (lbs/acre) | Amount |
|---|---|---|---|---|---|---|
| Canal | Ground water | 0.00 | 0.00 | 0.00 | 261.93 | 6,277,500.00 *gal* |
| Application event totals | | 0.00 | 0.00 | 0.00 | 261.93 | |

| Application date | Application method | Precipitation 24 hours prior | Precipitation during application | Precipitation 24 hours following |
|---|---|---|---|---|
| 07/07/2023 | Surface (irrigation) | No precipitation | No precipitation | No precipitation |

| Source description | Material type | N (lbs/acre) | P (lbs/acre) | K (lbs/acre) | Salt (lbs/acre) | Amount |
|---|---|---|---|---|---|---|
| Canal | Ground water | 0.00 | 0.00 | 0.00 | 202.78 | 4,860,000.00 *gal* |
| Application event totals | | 0.00 | 0.00 | 0.00 | 202.78 | |

| Application date | Application method | Precipitation 24 hours prior | Precipitation during application | Precipitation 24 hours following |
|---|---|---|---|---|
| 07/17/2023 | Surface (irrigation) | No precipitation | No precipitation | No precipitation |

| Source description | Material type | N (lbs/acre) | P (lbs/acre) | K (lbs/acre) | Salt (lbs/acre) | Amount |
|---|---|---|---|---|---|---|
| WWS | Process wastewater | 52.54 | 17.22 | 220.45 | 824.77 | 552,000.00 *gal* |
| Canal | Ground water | 0.00 | 0.00 | 0.00 | 194.33 | 4,657,500.00 *gal* |
| Application event totals | | 52.54 | 17.22 | 220.45 | 1,019.11 | |

| Application date | Application method | Precipitation 24 hours prior | Precipitation during application | Precipitation 24 hours following |
|---|---|---|---|---|
| 07/28/2023 | Surface (irrigation) | No precipitation | No precipitation | No precipitation |

| Source description | Material type | N (lbs/acre) | P (lbs/acre) | K (lbs/acre) | Salt (lbs/acre) | Amount |
|---|---|---|---|---|---|---|
| Canal | Ground water | 0.00 | 0.00 | 0.00 | 228.13 | 5,467,500.00 *gal* |
| Application event totals | | 0.00 | 0.00 | 0.00 | 228.13 | |

| Application date | Application method | Precipitation 24 hours prior | Precipitation during application | Precipitation 24 hours following |
|---|---|---|---|---|
| 08/06/2023 | Surface (irrigation) | No precipitation | No precipitation | No precipitation |

| Source description | Material type | N (lbs/acre) | P (lbs/acre) | K (lbs/acre) | Salt (lbs/acre) | Amount |
|---|---|---|---|---|---|---|
| WWS | Process wastewater | 54.82 | 17.97 | 230.04 | 860.63 | 576,000.00 *gal* |
| Canal | Ground water | 0.00 | 0.00 | 0.00 | 202.78 | 4,860,000.00 *gal* |
| Application event totals | | 54.82 | 17.97 | 230.04 | 1,063.42 | |

## New Place - 05/27/2023: Corn, silage

| Application date | Application method | Precipitation 24 hours prior | Precipitation during application | Precipitation 24 hours following |
|---|---|---|---|---|
| 08/17/2023 | Surface (irrigation) | No precipitation | No precipitation | No precipitation |

| Source description | Material type | N (lbs/acre) | P (lbs/acre) | K (lbs/acre) | Salt (lbs/acre) | Amount |
|---|---|---|---|---|---|---|
| WWS | Process wastewater | 50.25 | 16.47 | 210.87 | 788.91 | 528,000.00 *gal* |
| Canal | Ground water | 0.00 | 0.00 | 0.00 | 185.88 | 4,455,000.00 *gal* |
| Application event totals | | 50.25 | 16.47 | 210.87 | 974.80 | |

| Application date | Application method | Precipitation 24 hours prior | Precipitation during application | Precipitation 24 hours following |
|---|---|---|---|---|
| 08/27/2023 | Surface (irrigation) | No precipitation | No precipitation | No precipitation |

| Source description | Material type | N (lbs/acre) | P (lbs/acre) | K (lbs/acre) | Salt (lbs/acre) | Amount |
|---|---|---|---|---|---|---|
| WWS | Process wastewater | 50.25 | 16.47 | 210.87 | 788.91 | 528,000.00 *gal* |
| Canal | Ground water | 0.00 | 0.00 | 0.00 | 185.88 | 4,455,000.00 *gal* |
| Application event totals | | 50.25 | 16.47 | 210.87 | 974.80 | |

## Penny Jackson - 10/21/2022: Oats, silage-soft dough

Field name: Penny Jackson

Crop: Oats, silage-soft dough

Plant date: 10/21/2022

| Application date | Application method | Precipitation 24 hours prior | Precipitation during application | Precipitation 24 hours following |
|---|---|---|---|---|
| 10/08/2022 | Surface (irrigation) | No precipitation | No precipitation | No precipitation |

| Source description | Material type | N (lbs/acre) | P (lbs/acre) | K (lbs/acre) | Salt (lbs/acre) | Amount |
|---|---|---|---|---|---|---|
| WWS | Process wastewater | 58.00 | 3.85 | 68.25 | 385.84 | 556,000.00 *gal* |
| Canal | Ground water | 0.00 | 0.00 | 0.00 | 141.95 | 3,078,000.00 *gal* |
| Application event totals | | 58.00 | 3.85 | 68.25 | 527.79 | |

| Application date | Application method | Precipitation 24 hours prior | Precipitation during application | Precipitation 24 hours following |
|---|---|---|---|---|
| 02/20/2023 | Surface (irrigation) | No precipitation | No precipitation | No precipitation |

| Source description | Material type | N (lbs/acre) | P (lbs/acre) | K (lbs/acre) | Salt (lbs/acre) | Amount |
|---|---|---|---|---|---|---|
| WWS | Process wastewater | 60.59 | 19.86 | 254.25 | 951.22 | 576,000.00 *gal* |
| Application event totals | | 60.59 | 19.86 | 254.25 | 951.22 | |

## Penny Jackson - 10/21/2022: Oats, silage-soft dough

| Application date | Application method | Precipitation 24 hours prior | Precipitation during application | Precipitation 24 hours following |
|---|---|---|---|---|
| 04/11/2023 | Surface (irrigation) | No precipitation | No precipitation | No precipitation |

| Source description | Material type | N (lbs/acre) | P (lbs/acre) | K (lbs/acre) | Salt (lbs/acre) | Amount |
|---|---|---|---|---|---|---|
| WWS | Process wastewater | 50.49 | 16.55 | 211.88 | 792.69 | 480,000.00 *gal* |
| Canal | Ground water | 0.00 | 0.00 | 0.00 | 149.42 | 3,240,000.00 *gal* |
| Application event totals | | 50.49 | 16.55 | 211.88 | 942.11 | |

## Penny Jackson - 05/27/2023: Corn, silage

Field name: Penny Jackson

Crop: Corn, silage

Plant date: 05/27/2023

| Application date | Application method | Precipitation 24 hours prior | Precipitation during application | Precipitation 24 hours following |
|---|---|---|---|---|
| 05/18/2023 | Surface (irrigation) | No precipitation | No precipitation | No precipitation |

| Source description | Material type | N (lbs/acre) | P (lbs/acre) | K (lbs/acre) | Salt (lbs/acre) | Amount |
|---|---|---|---|---|---|---|
| Canal | Ground water | 0.00 | 0.00 | 0.00 | 186.77 | 4,050,000.00 *gal* |
| Application event totals | | 0.00 | 0.00 | 0.00 | 186.77 | |

| Application date | Application method | Precipitation 24 hours prior | Precipitation during application | Precipitation 24 hours following |
|---|---|---|---|---|
| 06/22/2023 | Surface (irrigation) | No precipitation | No precipitation | No precipitation |

| Source description | Material type | N (lbs/acre) | P (lbs/acre) | K (lbs/acre) | Salt (lbs/acre) | Amount |
|---|---|---|---|---|---|---|
| Canal | Ground water | 0.00 | 0.00 | 0.00 | 179.30 | 3,888,000.00 *gal* |
| Application event totals | | 0.00 | 0.00 | 0.00 | 179.30 | |

| Application date | Application method | Precipitation 24 hours prior | Precipitation during application | Precipitation 24 hours following |
|---|---|---|---|---|
| 07/07/2023 | Surface (irrigation) | No precipitation | No precipitation | No precipitation |

| Source description | Material type | N (lbs/acre) | P (lbs/acre) | K (lbs/acre) | Salt (lbs/acre) | Amount |
|---|---|---|---|---|---|---|
| Canal | Ground water | 0.00 | 0.00 | 0.00 | 164.36 | 3,564,000.00 *gal* |
| Application event totals | | 0.00 | 0.00 | 0.00 | 164.36 | |

## Penny Jackson - 05/27/2023: Corn, silage

| Application date | Application method | Precipitation 24 hours prior | Precipitation during application | Precipitation 24 hours following |
|---|---|---|---|---|
| 07/18/2023 | Surface (irrigation) | No precipitation | No precipitation | No precipitation |

| Source description | Material type | N (lbs/acre) | P (lbs/acre) | K (lbs/acre) | Salt (lbs/acre) | Amount |
|---|---|---|---|---|---|---|
| WWS | Process wastewater | 72.79 | 23.86 | 305.45 | 1,142.79 | 692,000.00 *gal* |
| Canal | Ground water | 0.00 | 0.00 | 0.00 | 246.54 | 5,346,000.00 *gal* |
| Application event totals | | 72.79 | 23.86 | 305.45 | 1,389.33 | |

| Application date | Application method | Precipitation 24 hours prior | Precipitation during application | Precipitation 24 hours following |
|---|---|---|---|---|
| 07/29/2023 | Surface (irrigation) | No precipitation | No precipitation | No precipitation |

| Source description | Material type | N (lbs/acre) | P (lbs/acre) | K (lbs/acre) | Salt (lbs/acre) | Amount |
|---|---|---|---|---|---|---|
| WWS | Process wastewater | 78.26 | 25.65 | 328.41 | 1,228.67 | 744,000.00 *gal* |
| Canal | Ground water | 0.00 | 0.00 | 0.00 | 231.60 | 5,022,000.00 *gal* |
| Application event totals | | 78.26 | 25.65 | 328.41 | 1,460.27 | |

| Application date | Application method | Precipitation 24 hours prior | Precipitation during application | Precipitation 24 hours following |
|---|---|---|---|---|
| 08/07/2023 | Surface (irrigation) | No precipitation | No precipitation | No precipitation |

| Source description | Material type | N (lbs/acre) | P (lbs/acre) | K (lbs/acre) | Salt (lbs/acre) | Amount |
|---|---|---|---|---|---|---|
| WWS | Process wastewater | 73.63 | 24.13 | 308.98 | 1,156.00 | 700,000.00 *gal* |
| Canal | Ground water | 0.00 | 0.00 | 0.00 | 186.77 | 4,050,000.00 *gal* |
| Application event totals | | 73.63 | 24.13 | 308.98 | 1,342.78 | |

| Application date | Application method | Precipitation 24 hours prior | Precipitation during application | Precipitation 24 hours following |
|---|---|---|---|---|
| 08/17/2023 | Surface (irrigation) | No precipitation | No precipitation | No precipitation |

| Source description | Material type | N (lbs/acre) | P (lbs/acre) | K (lbs/acre) | Salt (lbs/acre) | Amount |
|---|---|---|---|---|---|---|
| Canal | Ground water | 0.00 | 0.00 | 0.00 | 179.30 | 3,888,000.00 *gal* |
| Application event totals | | 0.00 | 0.00 | 0.00 | 179.30 | |

| Application date | Application method | Precipitation 24 hours prior | Precipitation during application | Precipitation 24 hours following |
|---|---|---|---|---|
| 08/28/2023 | Surface (irrigation) | No precipitation | No precipitation | No precipitation |

| Source description | Material type | N (lbs/acre) | P (lbs/acre) | K (lbs/acre) | Salt (lbs/acre) | Amount |
|---|---|---|---|---|---|---|
| Canal | Ground water | 0.00 | 0.00 | 0.00 | 149.42 | 3,240,000.00 *gal* |
| Application event totals | | 0.00 | 0.00 | 0.00 | 149.42 | |

## Reis 1 - 05/03/2022: Oats, silage-soft dough

Field name: Reis 1

Crop: Oats, silage-soft dough

Plant date: 05/03/2022

## Reis 1 - 05/03/2022: Oats, silage-soft dough

| Application date | Application method | Precipitation 24 hours prior | Precipitation during application | Precipitation 24 hours following |
|---|---|---|---|---|
| 04/11/2022 | Surface (irrigation) | No precipitation | No precipitation | No precipitation |

| Source description | Material type | N (lbs/acre) | P (lbs/acre) | K (lbs/acre) | Salt (lbs/acre) | Amount |
|---|---|---|---|---|---|---|
| WWS | Process wastewater | 71.95 | 23.58 | 301.92 | 1,129.58 | 720,000.00 *gal* |
| Canal | Ground water | 0.00 | 0.00 | 0.00 | 170.34 | 3,888,000.00 *gal* |
| Application event totals | | 71.95 | 23.58 | 301.92 | 1,299.92 | |

| Application date | Application method | Precipitation 24 hours prior | Precipitation during application | Precipitation 24 hours following |
|---|---|---|---|---|
| 10/07/2022 | Surface (irrigation) | No precipitation | No precipitation | No precipitation |

| Source description | Material type | N (lbs/acre) | P (lbs/acre) | K (lbs/acre) | Salt (lbs/acre) | Amount |
|---|---|---|---|---|---|---|
| WWS | Process wastewater | 71.35 | 4.73 | 83.97 | 474.66 | 720,000.00 *gal* |
| Canal | Ground water | 0.00 | 0.00 | 0.00 | 170.34 | 3,888,000.00 *gal* |
| Application event totals | | 71.35 | 4.73 | 83.97 | 645.00 | |

| Application date | Application method | Precipitation 24 hours prior | Precipitation during application | Precipitation 24 hours following |
|---|---|---|---|---|
| 01/10/2023 | Surface (irrigation) | No precipitation | No precipitation | No precipitation |

| Source description | Material type | N (lbs/acre) | P (lbs/acre) | K (lbs/acre) | Salt (lbs/acre) | Amount |
|---|---|---|---|---|---|---|
| WWS | Process wastewater | 35.98 | 11.79 | 150.96 | 564.79 | 360,000.00 *gal* |
| Application event totals | | 35.98 | 11.79 | 150.96 | 564.79 | |

## Reis 1 - 06/06/2023: Corn, silage

Field name: Reis 1

Crop: Corn, silage

Plant date: 06/06/2023

| Application date | Application method | Precipitation 24 hours prior | Precipitation during application | Precipitation 24 hours following |
|---|---|---|---|---|
| 05/08/2023 | Surface (irrigation) | No precipitation | No precipitation | No precipitation |

| Source description | Material type | N (lbs/acre) | P (lbs/acre) | K (lbs/acre) | Salt (lbs/acre) | Amount |
|---|---|---|---|---|---|---|
| Corral Solids | Corral solids | 188.75 | 82.96 | 20.44 | 8,487.89 | 350.00 *ton* |
| Application event totals | | 188.75 | 82.96 | 20.44 | 8,487.89 | |

Reis 1 - 06/06/2023: Corn, silage

| Application date | Application method | Precipitation 24 hours prior | Precipitation during application | Precipitation 24 hours following |
|---|---|---|---|---|
| 05/26/2023 | Surface (irrigation) | No precipitation | No precipitation | No precipitation |

| Source description | Material type | N (lbs/acre) | P (lbs/acre) | K (lbs/acre) | Salt (lbs/acre) | Amount |
|---|---|---|---|---|---|---|
| Canal | Ground water | 0.00 | 0.00 | 0.00 | 156.14 | 3,564,000.00 *gal* |
| Application event totals | | 0.00 | 0.00 | 0.00 | 156.14 | |

| Application date | Application method | Precipitation 24 hours prior | Precipitation during application | Precipitation 24 hours following |
|---|---|---|---|---|
| 06/24/2023 | Surface (irrigation) | No precipitation | No precipitation | No precipitation |

| Source description | Material type | N (lbs/acre) | P (lbs/acre) | K (lbs/acre) | Salt (lbs/acre) | Amount |
|---|---|---|---|---|---|---|
| Canal | Ground water | 0.00 | 0.00 | 0.00 | 156.14 | 3,564,000.00 *gal* |
| Application event totals | | 0.00 | 0.00 | 0.00 | 156.14 | |

| Application date | Application method | Precipitation 24 hours prior | Precipitation during application | Precipitation 24 hours following |
|---|---|---|---|---|
| 07/09/2023 | Surface (irrigation) | No precipitation | No precipitation | No precipitation |

| Source description | Material type | N (lbs/acre) | P (lbs/acre) | K (lbs/acre) | Salt (lbs/acre) | Amount |
|---|---|---|---|---|---|---|
| Canal | Ground water | 0.00 | 0.00 | 0.00 | 156.14 | 3,564,000.00 *gal* |
| Application event totals | | 0.00 | 0.00 | 0.00 | 156.14 | |

| Application date | Application method | Precipitation 24 hours prior | Precipitation during application | Precipitation 24 hours following |
|---|---|---|---|---|
| 07/18/2023 | Surface (irrigation) | No precipitation | No precipitation | No precipitation |

| Source description | Material type | N (lbs/acre) | P (lbs/acre) | K (lbs/acre) | Salt (lbs/acre) | Amount |
|---|---|---|---|---|---|---|
| Canal | Ground water | 0.00 | 0.00 | 0.00 | 149.05 | 3,402,000.00 *gal* |
| Application event totals | | 0.00 | 0.00 | 0.00 | 149.05 | |

| Application date | Application method | Precipitation 24 hours prior | Precipitation during application | Precipitation 24 hours following |
|---|---|---|---|---|
| 07/29/2023 | Surface (irrigation) | No precipitation | No precipitation | No precipitation |

| Source description | Material type | N (lbs/acre) | P (lbs/acre) | K (lbs/acre) | Salt (lbs/acre) | Amount |
|---|---|---|---|---|---|---|
| Canal | Ground water | 0.00 | 0.00 | 0.00 | 184.53 | 4,212,000.00 *gal* |
| Application event totals | | 0.00 | 0.00 | 0.00 | 184.53 | |

| Application date | Application method | Precipitation 24 hours prior | Precipitation during application | Precipitation 24 hours following |
|---|---|---|---|---|
| 08/08/2023 | Surface (irrigation) | No precipitation | No precipitation | No precipitation |

| Source description | Material type | N (lbs/acre) | P (lbs/acre) | K (lbs/acre) | Salt (lbs/acre) | Amount |
|---|---|---|---|---|---|---|
| Canal | Ground water | 0.00 | 0.00 | 0.00 | 141.95 | 3,240,000.00 *gal* |
| Application event totals | | 0.00 | 0.00 | 0.00 | 141.95 | |

## Reis 1 - 06/06/2023: Corn, silage

| Application date | Application method | Precipitation 24 hours prior | Precipitation during application | Precipitation 24 hours following |
|---|---|---|---|---|
| 08/18/2023 | Surface (irrigation) | No precipitation | No precipitation | No precipitation |

| Source description | Material type | N (lbs/acre) | P (lbs/acre) | K (lbs/acre) | Salt (lbs/acre) | Amount |
|---|---|---|---|---|---|---|
| Canal | Ground water | 0.00 | 0.00 | 0.00 | 170.34 | 3,888,000.00 *gal* |
| Application event totals | | 0.00 | 0.00 | 0.00 | 170.34 | |

| Application date | Application method | Precipitation 24 hours prior | Precipitation during application | Precipitation 24 hours following |
|---|---|---|---|---|
| 08/27/2023 | Surface (irrigation) | No precipitation | No precipitation | No precipitation |

| Source description | Material type | N (lbs/acre) | P (lbs/acre) | K (lbs/acre) | Salt (lbs/acre) | Amount |
|---|---|---|---|---|---|---|
| Canal | Ground water | 0.00 | 0.00 | 0.00 | 127.75 | 2,916,000.00 *gal* |
| Application event totals | | 0.00 | 0.00 | 0.00 | 127.75 | |

| Application date | Application method | Precipitation 24 hours prior | Precipitation during application | Precipitation 24 hours following |
|---|---|---|---|---|
| 09/10/2023 | Surface (irrigation) | No precipitation | No precipitation | No precipitation |

| Source description | Material type | N (lbs/acre) | P (lbs/acre) | K (lbs/acre) | Salt (lbs/acre) | Amount |
|---|---|---|---|---|---|---|
| Canal | Ground water | 0.00 | 0.00 | 0.00 | 70.97 | 1,620,000.00 *gal* |
| Application event totals | | 0.00 | 0.00 | 0.00 | 70.97 | |

## Reis 2 - 10/21/2022: Oats, silage-soft dough

Field name: Reis 2

Crop: Oats, silage-soft dough

Plant date: 10/21/2022

| Application date | Application method | Precipitation 24 hours prior | Precipitation during application | Precipitation 24 hours following |
|---|---|---|---|---|
| 10/07/2022 | Surface (irrigation) | No precipitation | No precipitation | No precipitation |

| Source description | Material type | N (lbs/acre) | P (lbs/acre) | K (lbs/acre) | Salt (lbs/acre) | Amount |
|---|---|---|---|---|---|---|
| WWS | Process wastewater | 67.95 | 4.51 | 79.97 | 452.06 | 600,000.00 *gal* |
| Canal | Ground water | 0.00 | 0.00 | 0.00 | 162.23 | 3,240,000.00 *gal* |
| Application event totals | | 67.95 | 4.51 | 79.97 | 614.29 | |

## Reis 2 - 10/21/2022: Oats, silage-soft dough

| Application date | Application method | Precipitation 24 hours prior | Precipitation during application | Precipitation 24 hours following |
|---|---|---|---|---|
| 03/27/2023 | Surface (irrigation) | No precipitation | No precipitation | No precipitation |

| Source description | Material type | N (lbs/acre) | P (lbs/acre) | K (lbs/acre) | Salt (lbs/acre) | Amount |
|---|---|---|---|---|---|---|
| WWS | Process wastewater | 75.38 | 24.71 | 316.30 | 1,183.37 | 660,000.00 *gal* |
| Canal | Ground water | 0.00 | 0.00 | 0.00 | 178.45 | 3,564,000.00 *gal* |
| Application event totals | | 75.38 | 24.71 | 316.30 | 1,361.82 | |

| | | | | |
|---|---|---|---|---|
| 04/11/2023 | Surface (irrigation) | No precipitation | No precipitation | No precipitation |

| Source description | Material type | N (lbs/acre) | P (lbs/acre) | K (lbs/acre) | Salt (lbs/acre) | Amount |
|---|---|---|---|---|---|---|
| WWS | Process wastewater | 58.25 | 19.09 | 244.41 | 914.42 | 510,000.00 *gal* |
| Canal | Ground water | 0.00 | 0.00 | 0.00 | 137.89 | 2,754,000.00 *gal* |
| Application event totals | | 58.25 | 19.09 | 244.41 | 1,052.31 | |

## Reis 2 - 06/02/2023: Corn, silage

Field name: Reis 2

Crop: Corn, silage

Plant date: 06/02/2023

| Application date | Application method | Precipitation 24 hours prior | Precipitation during application | Precipitation 24 hours following |
|---|---|---|---|---|
| 05/08/2023 | Surface (irrigation) | No precipitation | No precipitation | No precipitation |

| Source description | Material type | N (lbs/acre) | P (lbs/acre) | K (lbs/acre) | Salt (lbs/acre) | Amount |
|---|---|---|---|---|---|---|
| Corral Solids | Corral solids | 197.23 | 86.68 | 21.36 | 8,868.97 | 320.00 *ton* |
| Application event totals | | 197.23 | 86.68 | 21.36 | 8,868.97 | |

| | | | | |
|---|---|---|---|---|
| 05/21/2023 | Surface (irrigation) | No precipitation | No precipitation | No precipitation |

| Source description | Material type | N (lbs/acre) | P (lbs/acre) | K (lbs/acre) | Salt (lbs/acre) | Amount |
|---|---|---|---|---|---|---|
| Canal | Ground water | 0.00 | 0.00 | 0.00 | 243.34 | 4,860,000.00 *gal* |
| Application event totals | | 0.00 | 0.00 | 0.00 | 243.34 | |

Reis 2 - 06/02/2023: Corn, silage

| Application date | Application method | Precipitation 24 hours prior | Precipitation during application | Precipitation 24 hours following |
|---|---|---|---|---|
| 06/29/2023 | Surface (irrigation) | No precipitation | No precipitation | No precipitation |

| Source description | Material type | N (lbs/acre) | P (lbs/acre) | K (lbs/acre) | Salt (lbs/acre) | Amount |
|---|---|---|---|---|---|---|
| Canal | Ground water | 0.00 | 0.00 | 0.00 | 251.45 | 5,022,000.00 *gal* |
| Application event totals | | 0.00 | 0.00 | 0.00 | 251.45 | |

| Application date | Application method | Precipitation 24 hours prior | Precipitation during application | Precipitation 24 hours following |
|---|---|---|---|---|
| 07/08/2023 | Surface (irrigation) | No precipitation | No precipitation | No precipitation |

| Source description | Material type | N (lbs/acre) | P (lbs/acre) | K (lbs/acre) | Salt (lbs/acre) | Amount |
|---|---|---|---|---|---|---|
| Canal | Ground water | 0.00 | 0.00 | 0.00 | 227.12 | 4,536,000.00 *gal* |
| Application event totals | | 0.00 | 0.00 | 0.00 | 227.12 | |

| Application date | Application method | Precipitation 24 hours prior | Precipitation during application | Precipitation 24 hours following |
|---|---|---|---|---|
| 07/17/2023 | Surface (irrigation) | No precipitation | No precipitation | No precipitation |

| Source description | Material type | N (lbs/acre) | P (lbs/acre) | K (lbs/acre) | Salt (lbs/acre) | Amount |
|---|---|---|---|---|---|---|
| Canal | Ground water | 0.00 | 0.00 | 0.00 | 210.89 | 4,212,000.00 *gal* |
| Application event totals | | 0.00 | 0.00 | 0.00 | 210.89 | |

| Application date | Application method | Precipitation 24 hours prior | Precipitation during application | Precipitation 24 hours following |
|---|---|---|---|---|
| 07/28/2023 | Surface (irrigation) | No precipitation | No precipitation | No precipitation |

| Source description | Material type | N (lbs/acre) | P (lbs/acre) | K (lbs/acre) | Salt (lbs/acre) | Amount |
|---|---|---|---|---|---|---|
| Canal | Ground water | 0.00 | 0.00 | 0.00 | 194.67 | 3,888,000.00 *gal* |
| Application event totals | | 0.00 | 0.00 | 0.00 | 194.67 | |

| Application date | Application method | Precipitation 24 hours prior | Precipitation during application | Precipitation 24 hours following |
|---|---|---|---|---|
| 08/06/2023 | Surface (irrigation) | No precipitation | No precipitation | No precipitation |

| Source description | Material type | N (lbs/acre) | P (lbs/acre) | K (lbs/acre) | Salt (lbs/acre) | Amount |
|---|---|---|---|---|---|---|
| Canal | Ground water | 0.00 | 0.00 | 0.00 | 210.89 | 4,212,000.00 *gal* |
| Application event totals | | 0.00 | 0.00 | 0.00 | 210.89 | |

| Application date | Application method | Precipitation 24 hours prior | Precipitation during application | Precipitation 24 hours following |
|---|---|---|---|---|
| 08/16/2023 | Surface (irrigation) | No precipitation | No precipitation | No precipitation |

| Source description | Material type | N (lbs/acre) | P (lbs/acre) | K (lbs/acre) | Salt (lbs/acre) | Amount |
|---|---|---|---|---|---|---|
| Canal | Ground water | 0.00 | 0.00 | 0.00 | 194.67 | 3,888,000.00 *gal* |
| Application event totals | | 0.00 | 0.00 | 0.00 | 194.67 | |

## Reis 2 - 06/02/2023: Corn, silage

| Application date | Application method | Precipitation 24 hours prior | Precipitation during application | Precipitation 24 hours following |
|---|---|---|---|---|
| 08/27/2023 | Surface (irrigation) | No precipitation | No precipitation | No precipitation |

| Source description | Material type | N (lbs/acre) | P (lbs/acre) | K (lbs/acre) | Salt (lbs/acre) | Amount |
|---|---|---|---|---|---|---|
| Canal | Ground water | 0.00 | 0.00 | 0.00 | 178.45 | 3,564,000.00 *gal* |
| Application event totals | | 0.00 | 0.00 | 0.00 | 178.45 | |

| Application date | Application method | Precipitation 24 hours prior | Precipitation during application | Precipitation 24 hours following |
|---|---|---|---|---|
| 09/10/2023 | Surface (irrigation) | No precipitation | No precipitation | No precipitation |

| Source description | Material type | N (lbs/acre) | P (lbs/acre) | K (lbs/acre) | Salt (lbs/acre) | Amount |
|---|---|---|---|---|---|---|
| Canal | Ground water | 0.00 | 0.00 | 0.00 | 129.78 | 2,592,000.00 *gal* |
| Application event totals | | 0.00 | 0.00 | 0.00 | 129.78 | |

## Simmons - 10/20/2022: Oats, silage-soft dough

Field name: Simmons

Crop: Oats, silage-soft dough Plant date: 10/20/2022

| Application date | Application method | Precipitation 24 hours prior | Precipitation during application | Precipitation 24 hours following |
|---|---|---|---|---|
| 04/10/2023 | Surface (irrigation) | No precipitation | No precipitation | No precipitation |

| Source description | Material type | N (lbs/acre) | P (lbs/acre) | K (lbs/acre) | Salt (lbs/acre) | Amount |
|---|---|---|---|---|---|---|
| Canal | Ground water | 0.00 | 0.00 | 0.00 | 182.51 | 3,645,000.00 *gal* |
| Application event totals | | 0.00 | 0.00 | 0.00 | 182.51 | |

| Application date | Application method | Precipitation 24 hours prior | Precipitation during application | Precipitation 24 hours following |
|---|---|---|---|---|
| 09/25/2023 | Broadcast/incorporate | No precipitation | No precipitation | No precipitation |

| Source description | Material type | N (lbs/acre) | P (lbs/acre) | K (lbs/acre) | Salt (lbs/acre) | Amount |
|---|---|---|---|---|---|---|
| Separator Solids | Separator solids | 177.63 | 50.38 | 90.71 | 3,507.83 | 500.00 *ton* |
| Application event totals | | 177.63 | 50.38 | 90.71 | 3,507.83 | |

## Simmons - 06/02/2023: Corn, silage

Field name: Simmons

Crop: Corn, silage Plant date: 06/02/2023

Simmons - 06/02/2023: Corn, silage

| Application date | Application method | Precipitation 24 hours prior | Precipitation during application | Precipitation 24 hours following |
|---|---|---|---|---|
| 05/09/2023 | Surface (irrigation) | No precipitation | No precipitation | No precipitation |

| Source description | Material type | N (lbs/acre) | P (lbs/acre) | K (lbs/acre) | Salt (lbs/acre) | Amount |
|---|---|---|---|---|---|---|
| Canal | Ground water | 0.00 | 0.00 | 0.00 | 273.76 | 5,467,500.00 *gal* |
| Application event totals | | 0.00 | 0.00 | 0.00 | 273.76 | |

| Application date | Application method | Precipitation 24 hours prior | Precipitation during application | Precipitation 24 hours following |
|---|---|---|---|---|
| 05/08/2023 | Broadcast/incorporate | No precipitation | No precipitation | No precipitation |

| Source description | Material type | N (lbs/acre) | P (lbs/acre) | K (lbs/acre) | Salt (lbs/acre) | Amount |
|---|---|---|---|---|---|---|
| Corral Solids | Corral solids | 197.29 | 50.20 | 11.67 | 3,385.38 | 310.00 *ton* |
| Application event totals | | 197.29 | 50.20 | 11.67 | 3,385.38 | |

| Application date | Application method | Precipitation 24 hours prior | Precipitation during application | Precipitation 24 hours following |
|---|---|---|---|---|
| 05/19/2023 | Surface (irrigation) | No precipitation | No precipitation | No precipitation |

| Source description | Material type | N (lbs/acre) | P (lbs/acre) | K (lbs/acre) | Salt (lbs/acre) | Amount |
|---|---|---|---|---|---|---|
| Canal | Ground water | 0.00 | 0.00 | 0.00 | 263.62 | 5,265,000.00 *gal* |
| Application event totals | | 0.00 | 0.00 | 0.00 | 263.62 | |

| Application date | Application method | Precipitation 24 hours prior | Precipitation during application | Precipitation 24 hours following |
|---|---|---|---|---|
| 06/30/2023 | Surface (irrigation) | No precipitation | No precipitation | No precipitation |

| Source description | Material type | N (lbs/acre) | P (lbs/acre) | K (lbs/acre) | Salt (lbs/acre) | Amount |
|---|---|---|---|---|---|---|
| Canal | Ground water | 0.00 | 0.00 | 0.00 | 283.90 | 5,670,000.00 *gal* |
| Application event totals | | 0.00 | 0.00 | 0.00 | 283.90 | |

| Application date | Application method | Precipitation 24 hours prior | Precipitation during application | Precipitation 24 hours following |
|---|---|---|---|---|
| 07/08/2023 | Surface (irrigation) | No precipitation | No precipitation | No precipitation |

| Source description | Material type | N (lbs/acre) | P (lbs/acre) | K (lbs/acre) | Salt (lbs/acre) | Amount |
|---|---|---|---|---|---|---|
| Canal | Ground water | 0.00 | 0.00 | 0.00 | 202.78 | 4,050,000.00 *gal* |
| Application event totals | | 0.00 | 0.00 | 0.00 | 202.78 | |

| Application date | Application method | Precipitation 24 hours prior | Precipitation during application | Precipitation 24 hours following |
|---|---|---|---|---|
| 07/20/2023 | Surface (irrigation) | No precipitation | No precipitation | No precipitation |

| Source description | Material type | N (lbs/acre) | P (lbs/acre) | K (lbs/acre) | Salt (lbs/acre) | Amount |
|---|---|---|---|---|---|---|
| Canal | Ground water | 0.00 | 0.00 | 0.00 | 202.78 | 4,050,000.00 *gal* |
| Application event totals | | 0.00 | 0.00 | 0.00 | 202.78 | |

## Simmons - 06/02/2023: Corn, silage

| Application date | Application method | Precipitation 24 hours prior | Precipitation during application | Precipitation 24 hours following |
|---|---|---|---|---|
| 07/29/2023 | Surface (irrigation) | No precipitation | No precipitation | No precipitation |

| Source description | Material type | N (lbs/acre) | P (lbs/acre) | K (lbs/acre) | Salt (lbs/acre) | Amount |
|---|---|---|---|---|---|---|
| Canal | Ground water | 0.00 | 0.00 | 0.00 | 202.78 | 4,050,000.00 *gal* |
| Application event totals | | 0.00 | 0.00 | 0.00 | 202.78 | |

| Application date | Application method | Precipitation 24 hours prior | Precipitation during application | Precipitation 24 hours following |
|---|---|---|---|---|
| 08/07/2023 | Surface (irrigation) | No precipitation | No precipitation | No precipitation |

| Source description | Material type | N (lbs/acre) | P (lbs/acre) | K (lbs/acre) | Salt (lbs/acre) | Amount |
|---|---|---|---|---|---|---|
| Canal | Ground water | 0.00 | 0.00 | 0.00 | 223.06 | 4,455,000.00 *gal* |
| Application event totals | | 0.00 | 0.00 | 0.00 | 223.06 | |

| Application date | Application method | Precipitation 24 hours prior | Precipitation during application | Precipitation 24 hours following |
|---|---|---|---|---|
| 08/17/2023 | Surface (irrigation) | No precipitation | No precipitation | No precipitation |

| Source description | Material type | N (lbs/acre) | P (lbs/acre) | K (lbs/acre) | Salt (lbs/acre) | Amount |
|---|---|---|---|---|---|---|
| Canal | Ground water | 0.00 | 0.00 | 0.00 | 202.78 | 4,050,000.00 *gal* |
| Application event totals | | 0.00 | 0.00 | 0.00 | 202.78 | |

| Application date | Application method | Precipitation 24 hours prior | Precipitation during application | Precipitation 24 hours following |
|---|---|---|---|---|
| 08/27/2023 | Surface (irrigation) | No precipitation | No precipitation | No precipitation |

| Source description | Material type | N (lbs/acre) | P (lbs/acre) | K (lbs/acre) | Salt (lbs/acre) | Amount |
|---|---|---|---|---|---|---|
| Canal | Ground water | 0.00 | 0.00 | 0.00 | 162.23 | 3,240,000.00 *gal* |
| Application event totals | | 0.00 | 0.00 | 0.00 | 162.23 | |

| Application date | Application method | Precipitation 24 hours prior | Precipitation during application | Precipitation 24 hours following |
|---|---|---|---|---|
| 09/11/2023 | Surface (irrigation) | No precipitation | No precipitation | No precipitation |

| Source description | Material type | N (lbs/acre) | P (lbs/acre) | K (lbs/acre) | Salt (lbs/acre) | Amount |
|---|---|---|---|---|---|---|
| Canal | Ground water | 0.00 | 0.00 | 0.00 | 182.51 | 3,645,000.00 *gal* |
| Application event totals | | 0.00 | 0.00 | 0.00 | 182.51 | |

## Webster - 10/20/2022: Oats, silage-soft dough

Field name: Webster

Crop: Oats, silage-soft dough

Plant date: 10/20/2022

| Application date | Application method | Precipitation 24 hours prior | Precipitation during application | Precipitation 24 hours following |
|---|---|---|---|---|

## Webster - 10/20/2022: Oats, silage-soft dough

| Application date | Application method | Precipitation 24 hours prior | Precipitation during application | Precipitation 24 hours following |
|---|---|---|---|---|
| 10/10/2022 | Surface (irrigation) | No precipitation | No precipitation | No precipitation |

| Source description | Material type | N (lbs/acre) | P (lbs/acre) | K (lbs/acre) | Salt (lbs/acre) | Amount |
|---|---|---|---|---|---|---|
| WWS | Process wastewater | 57.08 | 3.79 | 67.17 | 379.73 | 432,000.00 *gal* |
| Canal | Ground water | 0.00 | 0.00 | 0.00 | 212.92 | 3,645,000.00 *gal* |
| Application event totals | | 57.08 | 3.79 | 67.17 | 592.65 | |

| Application date | Application method | Precipitation 24 hours prior | Precipitation during application | Precipitation 24 hours following |
|---|---|---|---|---|
| 01/03/2023 | Surface (irrigation) | No precipitation | No precipitation | No precipitation |

| Source description | Material type | N (lbs/acre) | P (lbs/acre) | K (lbs/acre) | Salt (lbs/acre) | Amount |
|---|---|---|---|---|---|---|
| WWS | Process wastewater | 51.16 | 16.77 | 214.70 | 803.26 | 384,000.00 *gal* |
| Application event totals | | 51.16 | 16.77 | 214.70 | 803.26 | |

| Application date | Application method | Precipitation 24 hours prior | Precipitation during application | Precipitation 24 hours following |
|---|---|---|---|---|
| 03/09/2023 | Surface (irrigation) | No precipitation | No precipitation | No precipitation |

| Source description | Material type | N (lbs/acre) | P (lbs/acre) | K (lbs/acre) | Salt (lbs/acre) | Amount |
|---|---|---|---|---|---|---|
| WWS | Process wastewater | 76.75 | 25.16 | 322.05 | 1,204.88 | 576,000.00 *gal* |
| Canal | Ground water | 0.00 | 0.00 | 0.00 | 189.26 | 3,240,000.00 *gal* |
| Application event totals | | 76.75 | 25.16 | 322.05 | 1,394.15 | |

| Application date | Application method | Precipitation 24 hours prior | Precipitation during application | Precipitation 24 hours following |
|---|---|---|---|---|
| 04/12/2023 | Surface (irrigation) | No precipitation | No precipitation | No precipitation |

| Source description | Material type | N (lbs/acre) | P (lbs/acre) | K (lbs/acre) | Salt (lbs/acre) | Amount |
|---|---|---|---|---|---|---|
| Canal | Ground water | 0.00 | 0.00 | 0.00 | 141.95 | 2,430,000.00 *gal* |
| Application event totals | | 0.00 | 0.00 | 0.00 | 141.95 | |

## Webster - 05/27/2023: Corn, silage

Field name: Webster

Crop: Corn, silage

Plant date: 05/27/2023

| Application date | Application method | Precipitation 24 hours prior | Precipitation during application | Precipitation 24 hours following |
|---|---|---|---|---|

Webster - 05/27/2023: Corn, silage

| Application date | Application method | Precipitation 24 hours prior | Precipitation during application | Precipitation 24 hours following |
|---|---|---|---|---|
| 05/19/2023 | Surface (irrigation) | No precipitation | No precipitation | No precipitation |

| Source description | Material type | N (lbs/acre) | P (lbs/acre) | K (lbs/acre) | Salt (lbs/acre) | Amount |
|---|---|---|---|---|---|---|
| WWS | Process wastewater | 76.21 | 24.98 | 319.81 | 1,196.52 | 572,000.00 *gal* |
| Canal | Ground water | 0.00 | 0.00 | 0.00 | 331.21 | 5,670,000.00 *gal* |
| Application event totals | | 76.21 | 24.98 | 319.81 | 1,527.73 | |

| Application date | Application method | Precipitation 24 hours prior | Precipitation during application | Precipitation 24 hours following |
|---|---|---|---|---|
| 06/24/2023 | Surface (irrigation) | No precipitation | No precipitation | No precipitation |

| Source description | Material type | N (lbs/acre) | P (lbs/acre) | K (lbs/acre) | Salt (lbs/acre) | Amount |
|---|---|---|---|---|---|---|
| Canal | Ground water | 0.00 | 0.00 | 0.00 | 331.21 | 5,670,000.00 *gal* |
| Application event totals | | 0.00 | 0.00 | 0.00 | 331.21 | |

| Application date | Application method | Precipitation 24 hours prior | Precipitation during application | Precipitation 24 hours following |
|---|---|---|---|---|
| 07/08/2023 | Surface (irrigation) | No precipitation | No precipitation | No precipitation |

| Source description | Material type | N (lbs/acre) | P (lbs/acre) | K (lbs/acre) | Salt (lbs/acre) | Amount |
|---|---|---|---|---|---|---|
| Canal | Ground water | 0.00 | 0.00 | 0.00 | 307.55 | 5,265,000.00 *gal* |
| Application event totals | | 0.00 | 0.00 | 0.00 | 307.55 | |

| Application date | Application method | Precipitation 24 hours prior | Precipitation during application | Precipitation 24 hours following |
|---|---|---|---|---|
| 07/17/2023 | Surface (irrigation) | No precipitation | No precipitation | No precipitation |

| Source description | Material type | N (lbs/acre) | P (lbs/acre) | K (lbs/acre) | Salt (lbs/acre) | Amount |
|---|---|---|---|---|---|---|
| Canal | Ground water | 0.00 | 0.00 | 0.00 | 283.90 | 4,860,000.00 *gal* |
| Application event totals | | 0.00 | 0.00 | 0.00 | 283.90 | |

| Application date | Application method | Precipitation 24 hours prior | Precipitation during application | Precipitation 24 hours following |
|---|---|---|---|---|
| 07/29/2023 | Surface (irrigation) | No precipitation | No precipitation | No precipitation |

| Source description | Material type | N (lbs/acre) | P (lbs/acre) | K (lbs/acre) | Salt (lbs/acre) | Amount |
|---|---|---|---|---|---|---|
| WWS | Process wastewater | 63.96 | 20.96 | 268.38 | 1,004.07 | 480,000.00 *gal* |
| Canal | Ground water | 0.00 | 0.00 | 0.00 | 236.58 | 4,050,000.00 *gal* |
| Application event totals | | 63.96 | 20.96 | 268.38 | 1,240.65 | |

Webster - 05/27/2023: Corn, silage

| Application date | Application method | Precipitation 24 hours prior | Precipitation during application | Precipitation 24 hours following |
|---|---|---|---|---|
| 08/08/2023 | Surface (irrigation) | No precipitation | No precipitation | No precipitation |

| Source description | Material type | N (lbs/acre) | P (lbs/acre) | K (lbs/acre) | Salt (lbs/acre) | Amount |
|---|---|---|---|---|---|---|
| WWS | Process wastewater | 52.76 | 17.29 | 221.41 | 828.36 | 396,000.00 *gal* |
| Canal | Ground water | 0.00 | 0.00 | 0.00 | 224.75 | 3,847,500.00 *gal* |
| Application event totals | | 52.76 | 17.29 | 221.41 | 1,053.11 | |

| Application date | Application method | Precipitation 24 hours prior | Precipitation during application | Precipitation 24 hours following |
|---|---|---|---|---|
| 08/17/2023 | Surface (irrigation) | No precipitation | No precipitation | No precipitation |

| Source description | Material type | N (lbs/acre) | P (lbs/acre) | K (lbs/acre) | Salt (lbs/acre) | Amount |
|---|---|---|---|---|---|---|
| WWS | Process wastewater | 51.16 | 16.77 | 214.70 | 803.26 | 384,000.00 *gal* |
| Canal | Ground water | 0.00 | 0.00 | 0.00 | 189.26 | 3,240,000.00 *gal* |
| Application event totals | | 51.16 | 16.77 | 214.70 | 992.52 | |

| Application date | Application method | Precipitation 24 hours prior | Precipitation during application | Precipitation 24 hours following |
|---|---|---|---|---|
| 08/27/2023 | Surface (irrigation) | No precipitation | No precipitation | No precipitation |

| Source description | Material type | N (lbs/acre) | P (lbs/acre) | K (lbs/acre) | Salt (lbs/acre) | Amount |
|---|---|---|---|---|---|---|
| Canal | Ground water | 0.00 | 0.00 | 0.00 | 165.61 | 2,835,000.00 *gal* |
| Application event totals | | 0.00 | 0.00 | 0.00 | 165.61 | |

## B. NUTRIENT BUDGET

Bispo - 10/21/2022: Oats, silage-soft dough

Field name: Bispo | Crop: Oats, silage-soft dough | Plant date: 10/21/2022

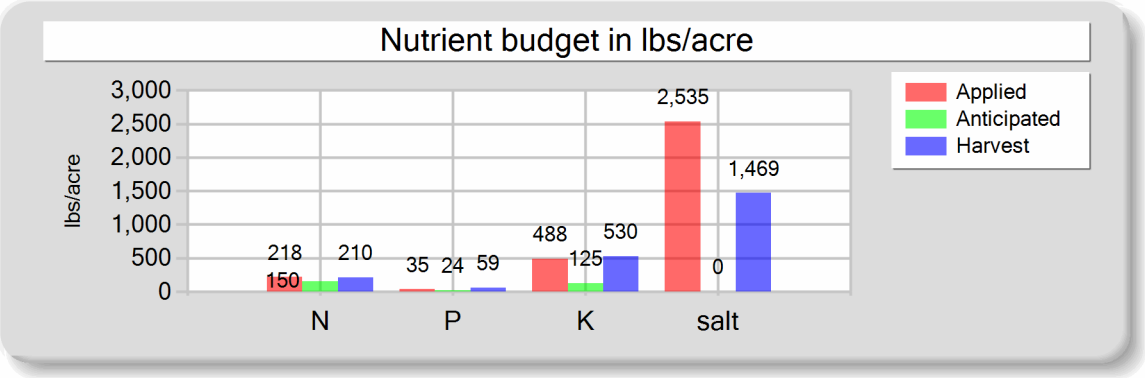


| | Total N (lbs/acre) | Total P (lbs/acre) | Total K (lbs/acre) | Total salt (lbs/acre) |
|---|---|---|---|---|
| Existing soil nutrient content | 0.00 | 0.00 | 0.00 | 0.00 |
| Plowdown credit | 0.00 | 0.00 | 0.00 | 0.00 |
| Commercial fertilizer / Other | 0.00 | 0.00 | 0.00 | 0.00 |
| Dry manure | 0.00 | 0.00 | 0.00 | 0.00 |
| Process wastewater | 210.61 | 34.72 | 487.58 | 2,119.38 |
| Fresh water | 0.00 | 0.00 | 0.00 | 416.06 |
| Atmospheric deposition | 7.00 | 0.00 | 0.00 | 0.00 |
| Total nutrients applied | 217.61 | 34.72 | 487.58 | 2,535.43 |
| Anticipated crop nutrient removal | 150.00 | 24.00 | 124.50 | 0.00 |
| Actual crop nutrient removal | 209.52 | 58.96 | 529.63 | 1,468.99 |
| Nutrient balance | 8.09 | -24.23 | -42.06 | 1,066.45 |
| Applied to removed ratio | 1.04 | 0.59 | 0.92 | 1.73 |

| Fresh water applied | |
|---|---|
| 13,770,000.00 | *gallons* |
| 507.10 | *acre-inches* |
| 8.74 | *inches/acre* |

| Process wastewater applied | |
|---|---|
| 3,072,000.00 | *gallons* |
| 113.13 | *acre-inches* |
| 1.95 | *inches/acre* |

| Total harvests for the crop | |
|---|---|
| 1 | *harvests* |

## Bispo - 06/03/2023: Corn, silage

Field name: Bispo | Crop: Corn, silage | Plant date: 06/03/2023

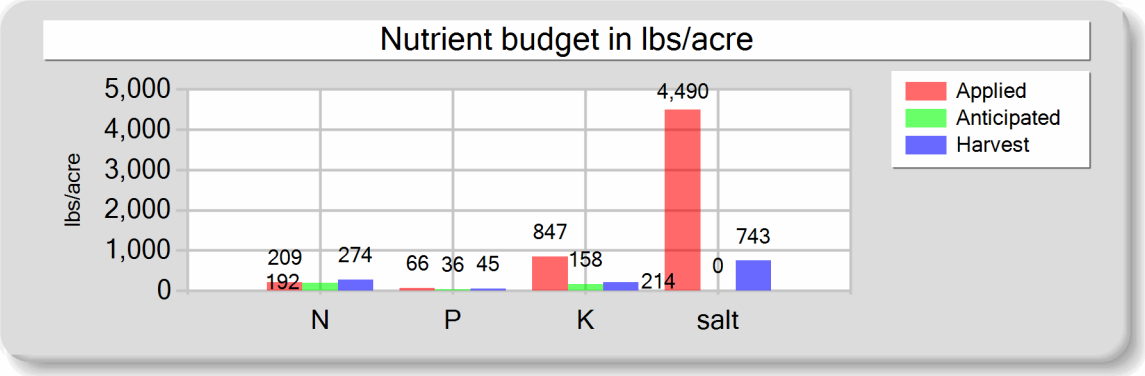


| | Total N (lbs/acre) | Total P (lbs/acre) | Total K (lbs/acre) | Total salt (lbs/acre) |
|---|---|---|---|---|
| Existing soil nutrient content | 0.00 | 0.00 | 0.00 | 0.00 |
| Plowdown credit | 0.00 | 0.00 | 0.00 | 0.00 |
| Commercial fertilizer / Other | 0.00 | 0.00 | 0.00 | 0.00 |
| Dry manure | 0.00 | 0.00 | 0.00 | 0.00 |
| Process wastewater | 201.79 | 66.14 | 846.77 | 3,168.02 |
| Fresh water | 0.00 | 0.00 | 0.00 | 1,321.59 |
| Atmospheric deposition | 7.00 | 0.00 | 0.00 | 0.00 |
| Total nutrients applied | 208.79 | 66.14 | 846.77 | 4,489.60 |
| Anticipated crop nutrient removal | 192.00 | 36.00 | 158.40 | 0.00 |
| Actual crop nutrient removal | 274.05 | 45.18 | 213.53 | 743.39 |
| Nutrient balance | -65.26 | 20.96 | 633.24 | 3,746.21 |
| Applied to removed ratio | 0.76 | 1.46 | 3.97 | 6.04 |

| Fresh water applied | |
|---|---|
| 43,740,000.00 | *gallons* |
| 1,610.80 | *acre-inches* |
| 27.77 | *inches/acre* |

| Process wastewater applied | |
|---|---|
| 2,928,000.00 | *gallons* |
| 107.83 | *acre-inches* |
| 1.86 | *inches/acre* |

| Total harvests for the crop | |
|---|---|
| 1 | *harvests* |

## Dougherty - 10/21/2022: Oats, silage-soft dough

Field name: Dougherty | Crop: Oats, silage-soft dough | Plant date: 10/21/2022

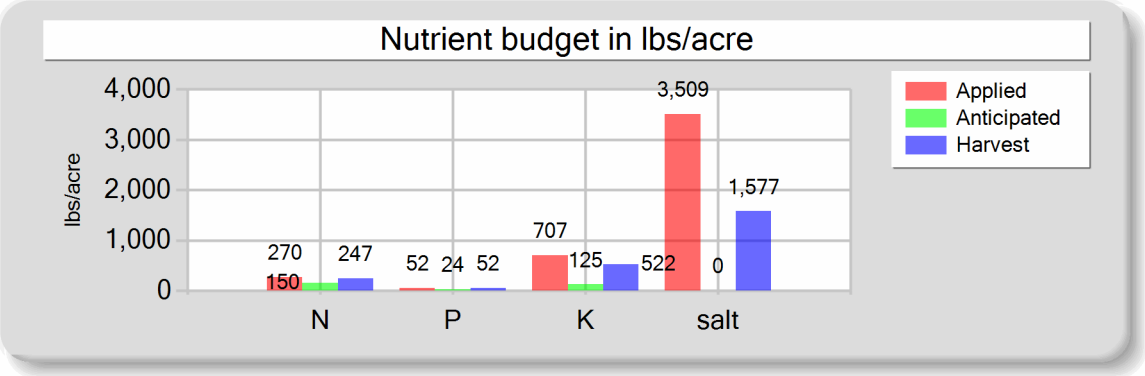


| | Total N (lbs/acre) | Total P (lbs/acre) | Total K (lbs/acre) | Total salt (lbs/acre) |
|---|---|---|---|---|
| Existing soil nutrient content | 0.00 | 0.00 | 0.00 | 0.00 |
| Plowdown credit | 0.00 | 0.00 | 0.00 | 0.00 |
| Commercial fertilizer / Other | 0.00 | 0.00 | 0.00 | 0.00 |
| Dry manure | 0.00 | 0.00 | 0.00 | 0.00 |
| Process wastewater | 262.72 | 51.91 | 707.46 | 2,941.11 |
| Fresh water | 0.00 | 0.00 | 0.00 | 567.79 |
| Atmospheric deposition | 7.00 | 0.00 | 0.00 | 0.00 |
| Total nutrients applied | 269.72 | 51.91 | 707.46 | 3,508.91 |
| Anticipated crop nutrient removal | 150.00 | 24.00 | 124.50 | 0.00 |
| Actual crop nutrient removal | 247.32 | 51.84 | 522.00 | 1,576.80 |
| Nutrient balance | 22.40 | 0.07 | 185.46 | 1,932.11 |
| Applied to removed ratio | 1.09 | 1.00 | 1.36 | 2.23 |

| Fresh water applied | |
|---|---|
| 10,368,000.00 | *gallons* |
| 381.82 | *acre-inches* |
| 11.93 | *inches/acre* |

| Process wastewater applied | |
|---|---|
| 2,112,000.00 | *gallons* |
| 77.78 | *acre-inches* |
| 2.43 | *inches/acre* |

| Total harvests for the crop | |
|---|---|
| 1 | *harvests* |

## Dougherty - 07/28/2023: Sudangrass, silage

Field name: Dougherty | Crop: Sudangrass, silage | Plant date: 07/28/2023

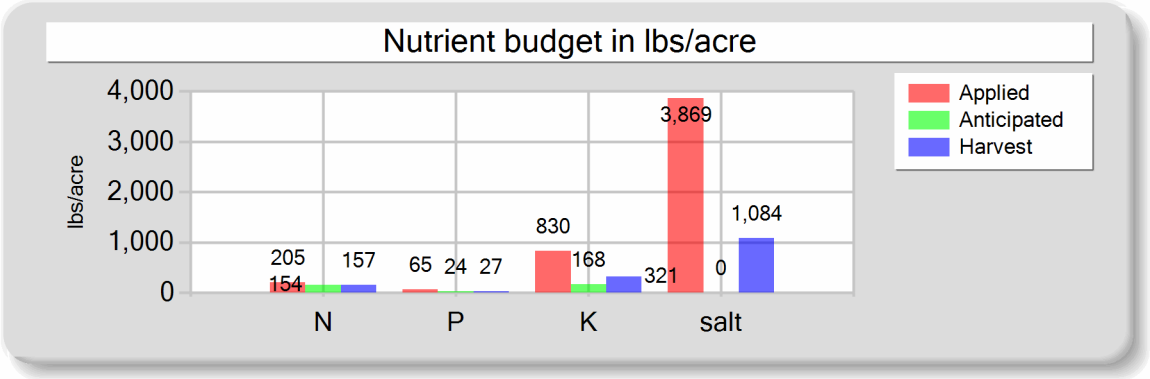


| | Total N (lbs/acre) | Total P (lbs/acre) | Total K (lbs/acre) | Total salt (lbs/acre) |
|---|---|---|---|---|
| Existing soil nutrient content | 0.00 | 0.00 | 0.00 | 0.00 |
| Plowdown credit | 0.00 | 0.00 | 0.00 | 0.00 |
| Commercial fertilizer / Other | 0.00 | 0.00 | 0.00 | 0.00 |
| Dry manure | 0.00 | 0.00 | 0.00 | 0.00 |
| Process wastewater | 197.86 | 64.85 | 830.29 | 3,106.34 |
| Fresh water | 0.00 | 0.00 | 0.00 | 762.97 |
| Atmospheric deposition | 7.00 | 0.00 | 0.00 | 0.00 |
| Total nutrients applied | 204.86 | 64.85 | 830.29 | 3,869.32 |
| Anticipated crop nutrient removal | 154.00 | 23.80 | 168.00 | 0.00 |
| Actual crop nutrient removal | 156.63 | 26.68 | 321.30 | 1,084.39 |
| Nutrient balance | 48.23 | 38.17 | 508.99 | 2,784.93 |
| Applied to removed ratio | 1.31 | 2.43 | 2.58 | 3.57 |

| Fresh water applied | |
|---|---|
| 13,932,000.00 | *gallons* |
| 513.07 | *acre-inches* |
| 16.03 | *inches/acre* |

| Process wastewater applied | |
|---|---|
| 1,584,000.00 | *gallons* |
| 58.33 | *acre-inches* |
| 1.82 | *inches/acre* |

| Total harvests for the crop | |
|---|---|
| 1 | *harvests* |

## Estacio 1 - 10/19/2022: Oats, silage-soft dough

Field name: Estacio 1 Crop: Oats, silage-soft dough Plant date: 10/19/2022

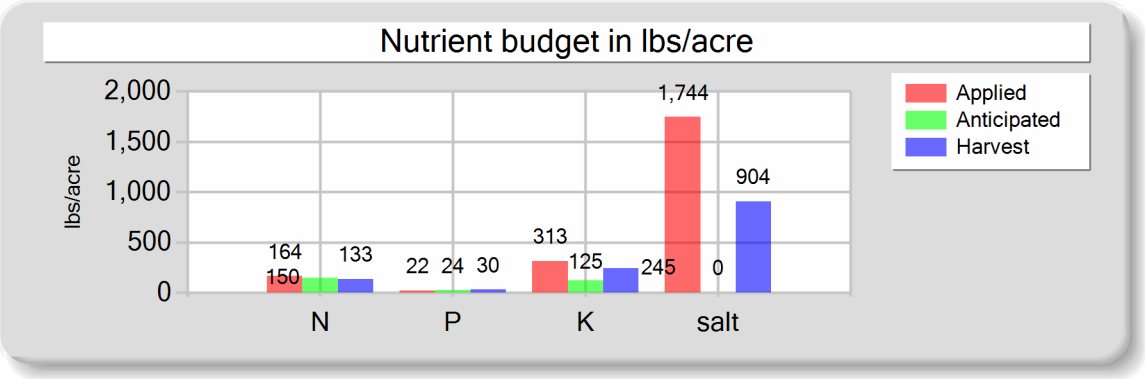


| | Total N (lbs/acre) | Total P (lbs/acre) | Total K (lbs/acre) | Total salt (lbs/acre) |
|---|---|---|---|---|
| Existing soil nutrient content | 0.00 | 0.00 | 0.00 | 0.00 |
| Plowdown credit | 0.00 | 0.00 | 0.00 | 0.00 |
| Commercial fertilizer / Other | 0.00 | 0.00 | 0.00 | 0.00 |
| Dry manure | 0.00 | 0.00 | 0.00 | 0.00 |
| Process wastewater | 156.80 | 21.55 | 313.26 | 1,428.84 |
| Fresh water | 0.00 | 0.00 | 0.00 | 315.44 |
| Atmospheric deposition | 7.00 | 0.00 | 0.00 | 0.00 |
| Total nutrients applied | 163.80 | 21.55 | 313.26 | 1,744.28 |
| Anticipated crop nutrient removal | 150.00 | 24.00 | 124.50 | 0.00 |
| Actual crop nutrient removal | 132.51 | 29.87 | 245.32 | 903.76 |
| Nutrient balance | 31.28 | -8.33 | 67.94 | 840.52 |
| Applied to removed ratio | 1.24 | 0.72 | 1.28 | 1.93 |

| Fresh water applied | |
|---|---|
| 8,100,000.00 | *gallons* |
| 298.30 | *acre-inches* |
| 6.63 | *inches/acre* |

| Process wastewater applied | |
|---|---|
| 1,776,000.00 | *gallons* |
| 65.40 | *acre-inches* |
| 1.45 | *inches/acre* |

| Total harvests for the crop | |
|---|---|
| 1 | *harvests* |

## Estacio 1 - 06/03/2023: Corn, silage

Field name: Estacio 1 Crop: Corn, silage Plant date: 06/03/2023

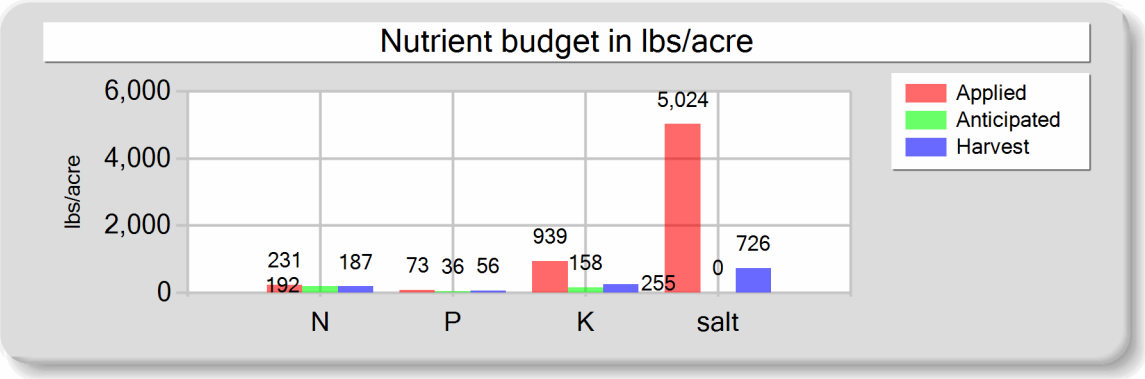


| | Total N (lbs/acre) | Total P (lbs/acre) | Total K (lbs/acre) | Total salt (lbs/acre) |
|---|---|---|---|---|
| Existing soil nutrient content | 0.00 | 0.00 | 0.00 | 0.00 |
| Plowdown credit | 0.00 | 0.00 | 0.00 | 0.00 |
| Commercial fertilizer / Other | 0.00 | 0.00 | 0.00 | 0.00 |
| Dry manure | 0.00 | 0.00 | 0.00 | 0.00 |
| Process wastewater | 223.85 | 73.37 | 939.31 | 3,514.25 |
| Fresh water | 0.00 | 0.00 | 0.00 | 1,510.17 |
| Atmospheric deposition | 7.00 | 0.00 | 0.00 | 0.00 |
| Total nutrients applied | 230.85 | 73.37 | 939.31 | 5,024.42 |
| Anticipated crop nutrient removal | 192.00 | 36.00 | 158.40 | 0.00 |
| Actual crop nutrient removal | 186.62 | 56.27 | 255.08 | 726.22 |
| Nutrient balance | 44.23 | 17.10 | 684.24 | 4,298.21 |
| Applied to removed ratio | 1.24 | 1.30 | 3.68 | 6.92 |

| Fresh water applied | |
|---|---|
| 38,778,750.00 | *gallons* |
| 1,428.09 | *acre-inches* |
| 31.74 | *inches/acre* |

| Process wastewater applied | |
|---|---|
| 2,520,000.00 | *gallons* |
| 92.80 | *acre-inches* |
| 2.06 | *inches/acre* |

| Total harvests for the crop | |
|---|---|
| 1 | *harvests* |

## Estacio 2 - 10/22/2022: Oats, silage-soft dough

Field name: Estacio 2 Crop: Oats, silage-soft dough Plant date: 10/22/2022

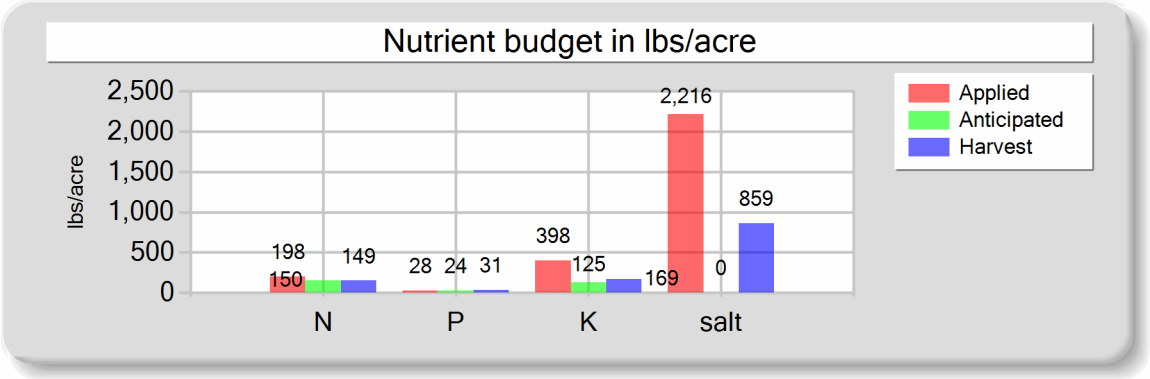


| | Total N (lbs/acre) | Total P (lbs/acre) | Total K (lbs/acre) | Total salt (lbs/acre) |
|---|---|---|---|---|
| Existing soil nutrient content | 0.00 | 0.00 | 0.00 | 0.00 |
| Plowdown credit | 0.00 | 0.00 | 0.00 | 0.00 |
| Commercial fertilizer / Other | 0.00 | 0.00 | 0.00 | 0.00 |
| Dry manure | 0.00 | 0.00 | 0.00 | 0.00 |
| Process wastewater | 190.75 | 27.70 | 398.28 | 1,789.70 |
| Fresh water | 0.00 | 0.00 | 0.00 | 425.85 |
| Atmospheric deposition | 7.00 | 0.00 | 0.00 | 0.00 |
| Total nutrients applied | 197.75 | 27.70 | 398.28 | 2,215.55 |
| Anticipated crop nutrient removal | 150.00 | 24.00 | 124.50 | 0.00 |
| Actual crop nutrient removal | 148.70 | 31.05 | 169.05 | 859.05 |
| Nutrient balance | 49.05 | -3.35 | 229.23 | 1,356.50 |
| Applied to removed ratio | 1.33 | 0.89 | 2.36 | 2.58 |

| Fresh water applied | |
|---|---|
| 4,860,000.00 | *gallons* |
| 178.98 | *acre-inches* |
| 8.95 | *inches/acre* |

| Process wastewater applied | |
|---|---|
| 960,000.00 | *gallons* |
| 35.35 | *acre-inches* |
| 1.77 | *inches/acre* |

| Total harvests for the crop | |
|---|---|
| 1 | *harvests* |

## Estacio 2 - 06/03/2023: Corn, silage

Field name: Estacio 2 Crop: Corn, silage Plant date: 06/03/2023

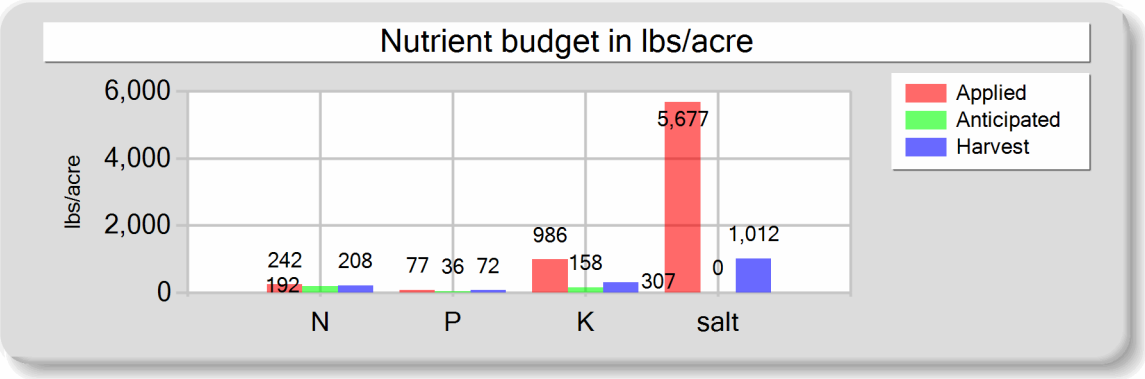


| | Total N (lbs/acre) | Total P (lbs/acre) | Total K (lbs/acre) | Total salt (lbs/acre) |
|---|---|---|---|---|
| Existing soil nutrient content | 0.00 | 0.00 | 0.00 | 0.00 |
| Plowdown credit | 0.00 | 0.00 | 0.00 | 0.00 |
| Commercial fertilizer / Other | 0.00 | 0.00 | 0.00 | 0.00 |
| Dry manure | 0.00 | 0.00 | 0.00 | 0.00 |
| Process wastewater | 235.04 | 77.04 | 986.28 | 3,689.96 |
| Fresh water | 0.00 | 0.00 | 0.00 | 1,987.28 |
| Atmospheric deposition | 7.00 | 0.00 | 0.00 | 0.00 |
| Total nutrients applied | 242.04 | 77.04 | 986.28 | 5,677.24 |
| Anticipated crop nutrient removal | 192.00 | 36.00 | 158.40 | 0.00 |
| Actual crop nutrient removal | 207.77 | 71.82 | 307.29 | 1,011.74 |
| Nutrient balance | 34.27 | 5.22 | 678.99 | 4,665.50 |
| Applied to removed ratio | 1.16 | 1.07 | 3.21 | 5.61 |

| Fresh water applied | |
|---|---|
| 22,680,000.00 | *gallons* |
| 835.23 | *acre-inches* |
| 41.76 | *inches/acre* |

| Process wastewater applied | |
|---|---|
| 1,176,000.00 | *gallons* |
| 43.31 | *acre-inches* |
| 2.17 | *inches/acre* |

| Total harvests for the crop | |
|---|---|
| 1 | *harvests* |

## Estacio 3 - 10/22/2022: Oats, silage-soft dough

Field name: Estacio 3 Crop: Oats, silage-soft dough Plant date: 10/22/2022

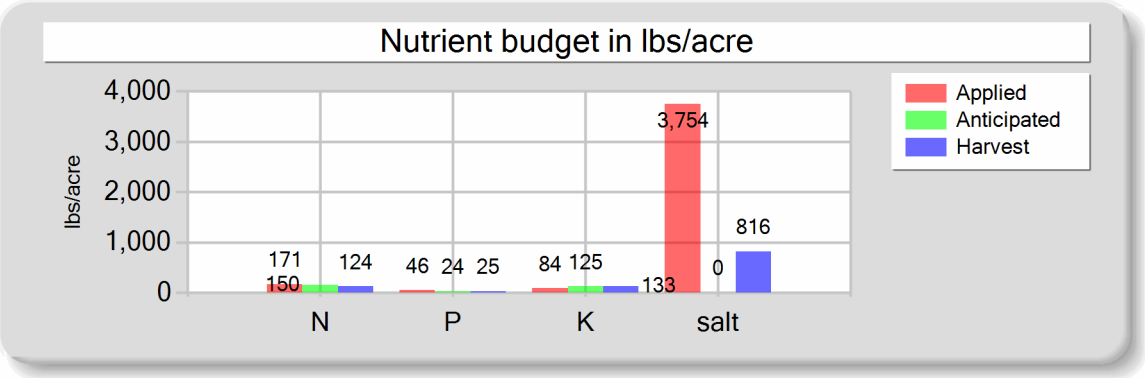


| | Total N (lbs/acre) | Total P (lbs/acre) | Total K (lbs/acre) | Total salt (lbs/acre) |
|---|---|---|---|---|
| Existing soil nutrient content | 0.00 | 0.00 | 0.00 | 0.00 |
| Plowdown credit | 0.00 | 0.00 | 0.00 | 0.00 |
| Commercial fertilizer / Other | 0.00 | 0.00 | 0.00 | 0.00 |
| Dry manure | 163.60 | 46.41 | 83.55 | 3,230.89 |
| Process wastewater | 0.00 | 0.00 | 0.00 | 0.00 |
| Fresh water | 0.00 | 0.00 | 0.00 | 522.97 |
| Atmospheric deposition | 7.00 | 0.00 | 0.00 | 0.00 |
| Total nutrients applied | 170.60 | 46.41 | 83.55 | 3,753.86 |
| Anticipated crop nutrient removal | 150.00 | 24.00 | 124.50 | 0.00 |
| Actual crop nutrient removal | 123.94 | 24.85 | 133.40 | 816.38 |
| Nutrient balance | 46.67 | 21.56 | -49.85 | 2,937.48 |
| Applied to removed ratio | 1.38 | 1.87 | 0.63 | 4.60 |

| Fresh water applied | |
|---|---|
| 5,670,000.00 | *gallons* |
| 208.81 | *acre-inches* |
| 10.99 | *inches/acre* |

| Process wastewater applied | |
|---|---|
| 0.00 | *gallons* |
| 0.00 | *acre-inches* |
| 0.00 | *inches/acre* |

| Total harvests for the crop | |
|---|---|
| 1 | *harvests* |

## Estacio 3 - 06/03/2023: Corn, silage

Field name: Estacio 3 Crop: Corn, silage Plant date: 06/03/2023

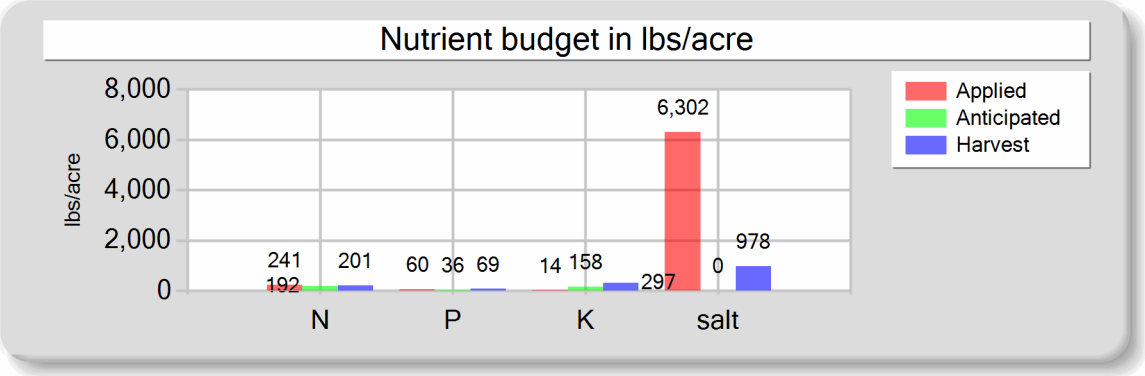


| | Total N (lbs/acre) | Total P (lbs/acre) | Total K (lbs/acre) | Total salt (lbs/acre) |
|---|---|---|---|---|
| Existing soil nutrient content | 0.00 | 0.00 | 0.00 | 0.00 |
| Plowdown credit | 0.00 | 0.00 | 0.00 | 0.00 |
| Commercial fertilizer / Other | 0.00 | 0.00 | 0.00 | 0.00 |
| Dry manure | 234.47 | 59.66 | 13.87 | 4,023.37 |
| Process wastewater | 0.00 | 0.00 | 0.00 | 0.00 |
| Fresh water | 0.00 | 0.00 | 0.00 | 2,278.65 |
| Atmospheric deposition | 7.00 | 0.00 | 0.00 | 0.00 |
| Total nutrients applied | 241.47 | 59.66 | 13.87 | 6,302.01 |
| Anticipated crop nutrient removal | 192.00 | 36.00 | 158.40 | 0.00 |
| Actual crop nutrient removal | 200.79 | 69.41 | 296.98 | 977.80 |
| Nutrient balance | 40.67 | -9.75 | -283.10 | 5,324.22 |
| Applied to removed ratio | 1.20 | 0.86 | 0.05 | 6.45 |

| Fresh water applied | |
|---|---|
| 24,705,000.00 | *gallons* |
| 909.80 | *acre-inches* |
| 47.88 | *inches/acre* |

| Process wastewater applied | |
|---|---|
| 0.00 | *gallons* |
| 0.00 | *acre-inches* |
| 0.00 | *inches/acre* |

| Total harvests for the crop | |
|---|---|
| 1 | *harvests* |

## Estacio 4 - 10/19/2022: Oats, silage-soft dough

Field name: Estacio 4 Crop: Oats, silage-soft dough Plant date: 10/19/2022

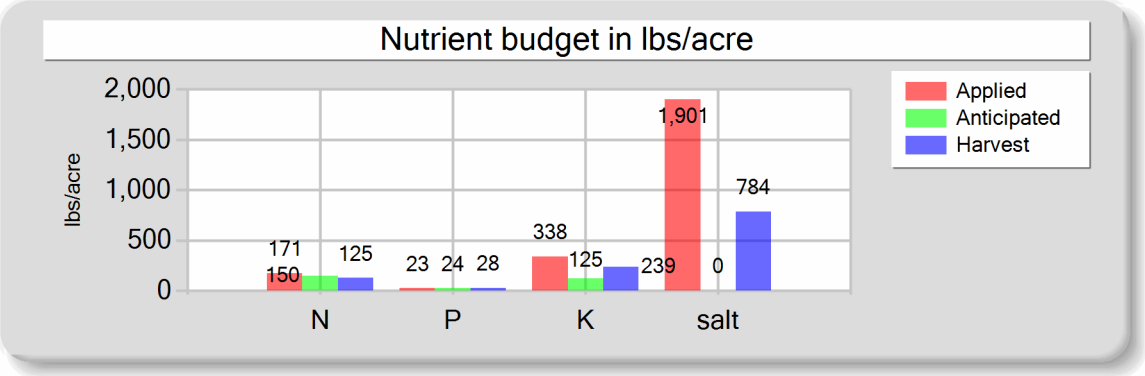


| | Total N (lbs/acre) | Total P (lbs/acre) | Total K (lbs/acre) | Total salt (lbs/acre) |
|---|---|---|---|---|
| Existing soil nutrient content | 0.00 | 0.00 | 0.00 | 0.00 |
| Plowdown credit | 0.00 | 0.00 | 0.00 | 0.00 |
| Commercial fertilizer / Other | 0.00 | 0.00 | 0.00 | 0.00 |
| Dry manure | 0.00 | 0.00 | 0.00 | 0.00 |
| Process wastewater | 164.24 | 23.43 | 338.12 | 1,526.58 |
| Fresh water | 0.00 | 0.00 | 0.00 | 374.59 |
| Atmospheric deposition | 7.00 | 0.00 | 0.00 | 0.00 |
| Total nutrients applied | 171.24 | 23.43 | 338.12 | 1,901.16 |
| Anticipated crop nutrient removal | 150.00 | 24.00 | 124.50 | 0.00 |
| Actual crop nutrient removal | 124.78 | 27.64 | 239.09 | 783.64 |
| Nutrient balance | 46.47 | -4.21 | 99.03 | 1,117.52 |
| Applied to removed ratio | 1.37 | 0.85 | 1.41 | 2.43 |

| Fresh water applied | |
|---|---|
| 7,695,000.00 | *gallons* |
| 283.38 | *acre-inches* |
| 7.87 | *inches/acre* |

| Process wastewater applied | |
|---|---|
| 1,488,000.00 | *gallons* |
| 54.80 | *acre-inches* |
| 1.52 | *inches/acre* |

| Total harvests for the crop | |
|---|---|
| 1 | *harvests* |

## Estacio 4 - 06/03/2023: Corn, silage

Field name: Estacio 4 Crop: Corn, silage Plant date: 06/03/2023

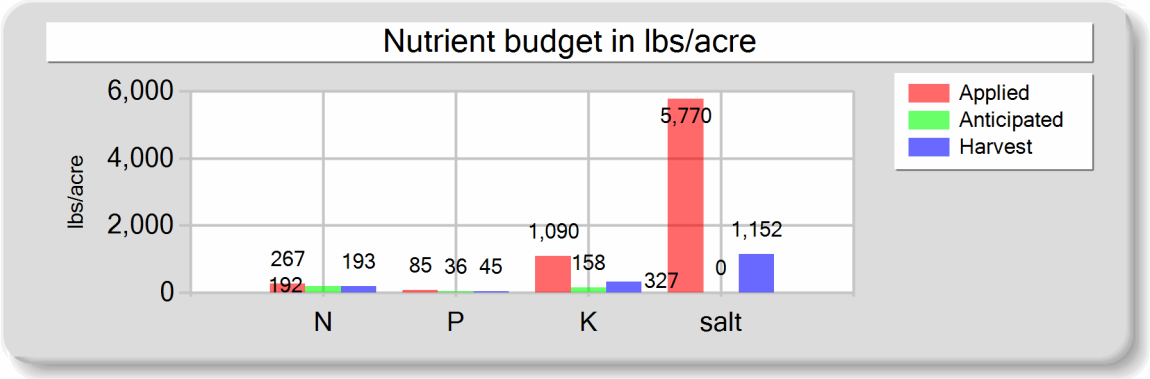


| | Total N (lbs/acre) | Total P (lbs/acre) | Total K (lbs/acre) | Total salt (lbs/acre) |
|---|---|---|---|---|
| Existing soil nutrient content | 0.00 | 0.00 | 0.00 | 0.00 |
| Plowdown credit | 0.00 | 0.00 | 0.00 | 0.00 |
| Commercial fertilizer / Other | 0.00 | 0.00 | 0.00 | 0.00 |
| Dry manure | 0.00 | 0.00 | 0.00 | 0.00 |
| Process wastewater | 259.82 | 85.16 | 1,090.27 | 4,079.04 |
| Fresh water | 0.00 | 0.00 | 0.00 | 1,690.57 |
| Atmospheric deposition | 7.00 | 0.00 | 0.00 | 0.00 |
| Total nutrients applied | 266.82 | 85.16 | 1,090.27 | 5,769.60 |
| Anticipated crop nutrient removal | 192.00 | 36.00 | 158.40 | 0.00 |
| Actual crop nutrient removal | 192.74 | 44.70 | 326.85 | 1,151.82 |
| Nutrient balance | 74.08 | 40.46 | 763.42 | 4,617.78 |
| Applied to removed ratio | 1.38 | 1.91 | 3.34 | 5.01 |

| Fresh water applied | |
|---|---|
| 34,728,750.00 | *gallons* |
| 1,278.94 | *acre-inches* |
| 35.53 | *inches/acre* |

| Process wastewater applied | |
|---|---|
| 2,340,000.00 | *gallons* |
| 86.17 | *acre-inches* |
| 2.39 | *inches/acre* |

| Total harvests for the crop | |
|---|---|
| 1 | *harvests* |

## Estacio 5 - 10/22/2022: Oats, silage-soft dough

Field name: Estacio 5 Crop: Oats, silage-soft dough Plant date: 10/22/2022

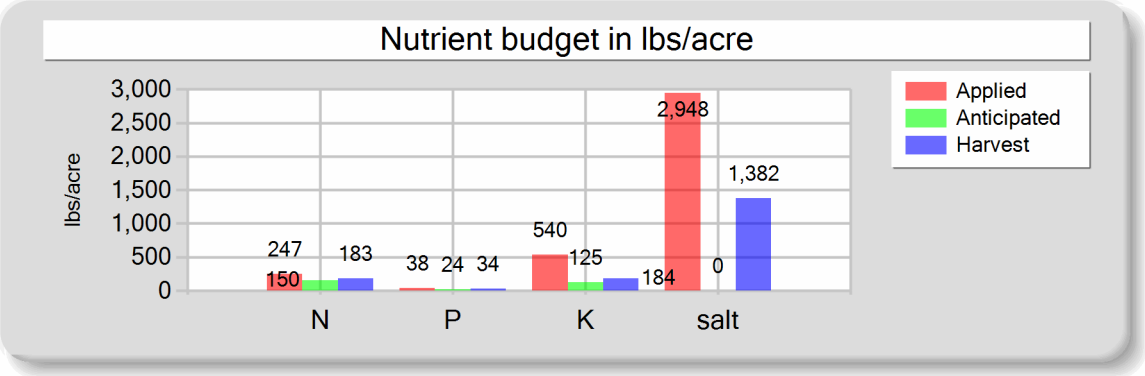


| | Total N (lbs/acre) | Total P (lbs/acre) | Total K (lbs/acre) | Total salt (lbs/acre) |
|---|---|---|---|---|
| Existing soil nutrient content | 0.00 | 0.00 | 0.00 | 0.00 |
| Plowdown credit | 0.00 | 0.00 | 0.00 | 0.00 |
| Commercial fertilizer / Other | 0.00 | 0.00 | 0.00 | 0.00 |
| Dry manure | 0.00 | 0.00 | 0.00 | 0.00 |
| Process wastewater | 240.31 | 38.23 | 540.28 | 2,370.13 |
| Fresh water | 0.00 | 0.00 | 0.00 | 578.31 |
| Atmospheric deposition | 7.00 | 0.00 | 0.00 | 0.00 |
| Total nutrients applied | 247.31 | 38.23 | 540.28 | 2,948.44 |
| Anticipated crop nutrient removal | 150.00 | 24.00 | 124.50 | 0.00 |
| Actual crop nutrient removal | 183.03 | 33.75 | 183.83 | 1,381.69 |
| Nutrient balance | 64.27 | 4.48 | 356.45 | 1,566.75 |
| Applied to removed ratio | 1.35 | 1.13 | 2.94 | 2.13 |

| Fresh water applied | |
|---|---|
| 8,910,000.00 | *gallons* |
| 328.13 | *acre-inches* |
| 12.15 | *inches/acre* |

| Process wastewater applied | |
|---|---|
| 1,632,000.00 | *gallons* |
| 60.10 | *acre-inches* |
| 2.23 | *inches/acre* |

| Total harvests for the crop | |
|---|---|
| 1 | *harvests* |

## Estacio 5 - 07/28/2023: Sudangrass, silage

Field name: Estacio 5 Crop: Sudangrass, silage Plant date: 07/28/2023

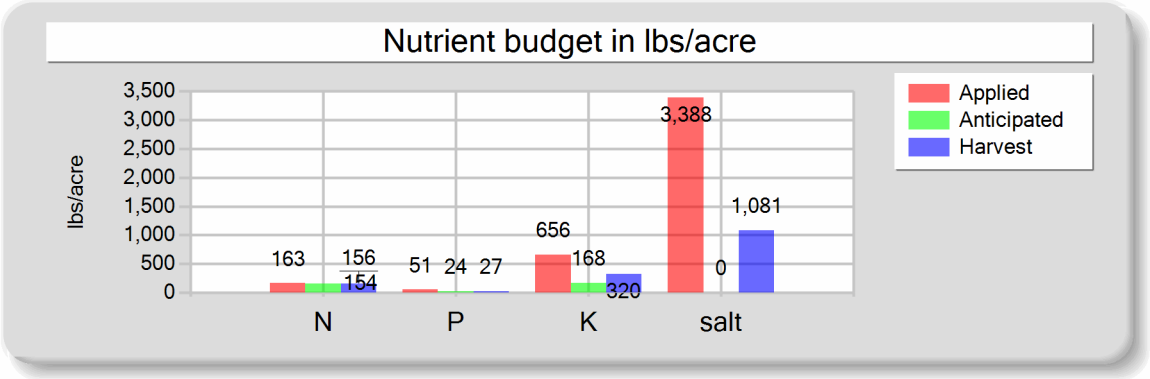


| | Total N (lbs/acre) | Total P (lbs/acre) | Total K (lbs/acre) | Total salt (lbs/acre) |
|---|---|---|---|---|
| Existing soil nutrient content | 0.00 | 0.00 | 0.00 | 0.00 |
| Plowdown credit | 0.00 | 0.00 | 0.00 | 0.00 |
| Commercial fertilizer / Other | 0.00 | 0.00 | 0.00 | 0.00 |
| Dry manure | 0.00 | 0.00 | 0.00 | 0.00 |
| Process wastewater | 156.34 | 51.24 | 656.03 | 2,454.39 |
| Fresh water | 0.00 | 0.00 | 0.00 | 933.18 |
| Atmospheric deposition | 7.00 | 0.00 | 0.00 | 0.00 |
| Total nutrients applied | 163.34 | 51.24 | 656.03 | 3,387.57 |
| Anticipated crop nutrient removal | 154.00 | 23.80 | 168.00 | 0.00 |
| Actual crop nutrient removal | 156.12 | 26.59 | 320.24 | 1,080.80 |
| Nutrient balance | 7.22 | 24.65 | 335.79 | 2,306.77 |
| Applied to removed ratio | 1.05 | 1.93 | 2.05 | 3.13 |

| Fresh water applied | |
|---|---|
| 14,377,500.00 | *gallons* |
| 529.47 | *acre-inches* |
| 19.61 | *inches/acre* |

| Process wastewater applied | |
|---|---|
| 1,056,000.00 | *gallons* |
| 38.89 | *acre-inches* |
| 1.44 | *inches/acre* |

| Total harvests for the crop | |
|---|---|
| 1 | *harvests* |

## Heifer Ranch - 10/19/2022: Oats, silage-soft dough

Field name: Heifer Ranch | Crop: Oats, silage-soft dough | Plant date: 10/19/2022

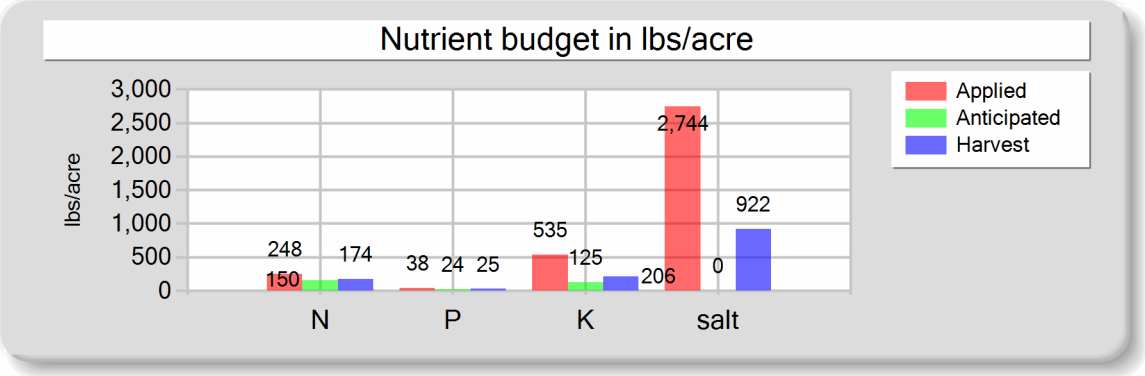


| | Total N (lbs/acre) | Total P (lbs/acre) | Total K (lbs/acre) | Total salt (lbs/acre) |
|---|---|---|---|---|
| Existing soil nutrient content | 0.00 | 0.00 | 0.00 | 0.00 |
| Plowdown credit | 0.00 | 0.00 | 0.00 | 0.00 |
| Commercial fertilizer / Other | 0.00 | 0.00 | 0.00 | 0.00 |
| Dry manure | 0.00 | 0.00 | 0.00 | 0.00 |
| Process wastewater | 240.60 | 37.77 | 535.03 | 2,355.29 |
| Fresh water | 0.00 | 0.00 | 0.00 | 388.82 |
| Atmospheric deposition | 7.00 | 0.00 | 0.00 | 0.00 |
| Total nutrients applied | 247.60 | 37.77 | 535.03 | 2,744.11 |
| Anticipated crop nutrient removal | 150.00 | 24.00 | 124.50 | 0.00 |
| Actual crop nutrient removal | 173.78 | 25.26 | 206.35 | 922.17 |
| Nutrient balance | 73.81 | 12.50 | 328.68 | 1,821.93 |
| Applied to removed ratio | 1.42 | 1.50 | 2.59 | 2.98 |

| Fresh water applied | |
|---|---|
| 5,103,000.00 | *gallons* |
| 187.93 | *acre-inches* |
| 8.17 | *inches/acre* |

| Process wastewater applied | |
|---|---|
| 1,392,000.00 | *gallons* |
| 51.26 | *acre-inches* |
| 2.23 | *inches/acre* |

| Total harvests for the crop | |
|---|---|
| 1 | *harvests* |

## Heifer Ranch - 06/03/2023: Corn, silage

Field name: Heifer Ranch  Crop: Corn, silage  Plant date: 06/03/2023

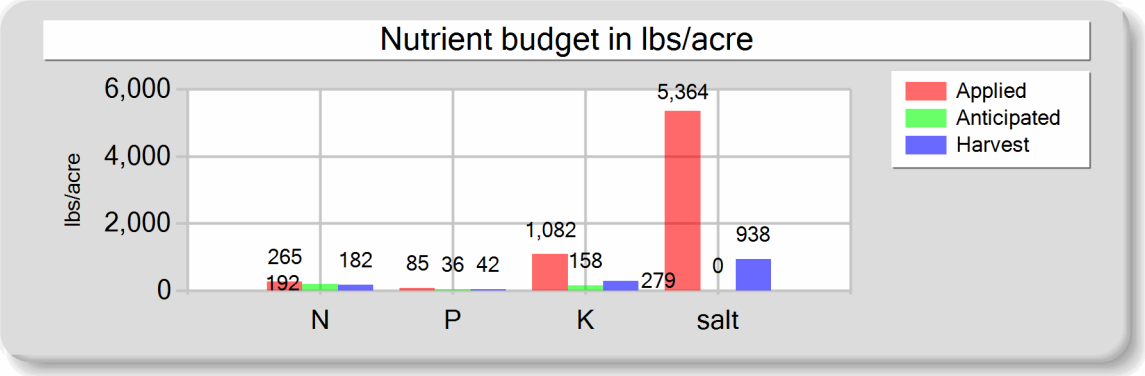


| | Total N (lbs/acre) | Total P (lbs/acre) | Total K (lbs/acre) | Total salt (lbs/acre) |
|---|---|---|---|---|
| Existing soil nutrient content | 0.00 | 0.00 | 0.00 | 0.00 |
| Plowdown credit | 0.00 | 0.00 | 0.00 | 0.00 |
| Commercial fertilizer / Other | 0.00 | 0.00 | 0.00 | 0.00 |
| Dry manure | 0.00 | 0.00 | 0.00 | 0.00 |
| Process wastewater | 257.91 | 84.53 | 1,082.25 | 4,049.02 |
| Fresh water | 0.00 | 0.00 | 0.00 | 1,314.57 |
| Atmospheric deposition | 7.00 | 0.00 | 0.00 | 0.00 |
| Total nutrients applied | 264.91 | 84.53 | 1,082.25 | 5,363.59 |
| Anticipated crop nutrient removal | 192.00 | 36.00 | 158.40 | 0.00 |
| Actual crop nutrient removal | 182.02 | 41.65 | 279.49 | 937.67 |
| Nutrient balance | 82.89 | 42.88 | 802.77 | 4,425.92 |
| Applied to removed ratio | 1.46 | 2.03 | 3.87 | 5.72 |

| Fresh water applied | |
|---|---|
| 17,253,000.00 | *gallons* |
| 635.37 | *acre-inches* |
| 27.62 | *inches/acre* |

| Process wastewater applied | |
|---|---|
| 1,484,000.00 | *gallons* |
| 54.65 | *acre-inches* |
| 2.38 | *inches/acre* |

| Total harvests for the crop | |
|---|---|
| 1 | *harvests* |

## Home - 10/22/2022: Oats, silage-soft dough

Field name: Home | Crop: Oats, silage-soft dough | Plant date: 10/22/2022

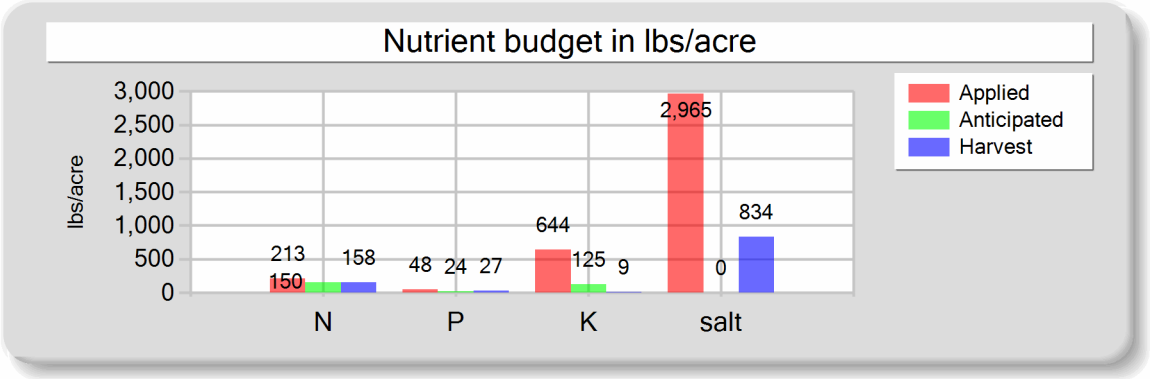


| | Total N (lbs/acre) | Total P (lbs/acre) | Total K (lbs/acre) | Total salt (lbs/acre) |
|---|---|---|---|---|
| Existing soil nutrient content | 0.00 | 0.00 | 0.00 | 0.00 |
| Plowdown credit | 0.00 | 0.00 | 0.00 | 0.00 |
| Commercial fertilizer / Other | 0.00 | 0.00 | 0.00 | 0.00 |
| Dry manure | 0.00 | 0.00 | 0.00 | 0.00 |
| Process wastewater | 206.01 | 48.39 | 643.52 | 2,572.21 |
| Fresh water | 0.00 | 0.00 | 0.00 | 393.09 |
| Atmospheric deposition | 7.00 | 0.00 | 0.00 | 0.00 |
| Total nutrients applied | 213.01 | 48.39 | 643.52 | 2,965.30 |
| Anticipated crop nutrient removal | 150.00 | 24.00 | 124.50 | 0.00 |
| Actual crop nutrient removal | 157.85 | 27.47 | 9.39 | 834.46 |
| Nutrient balance | 55.16 | 20.92 | 634.13 | 2,130.84 |
| Applied to removed ratio | 1.35 | 1.76 | 68.55 | 3.55 |

| Fresh water applied | |
|---|---|
| 2,916,000.00 | *gallons* |
| 107.39 | *acre-inches* |
| 8.26 | *inches/acre* |

| Process wastewater applied | |
|---|---|
| 672,000.00 | *gallons* |
| 24.75 | *acre-inches* |
| 1.90 | *inches/acre* |

| Total harvests for the crop | |
|---|---|
| 1 | *harvests* |

## Home - 06/02/2023: Corn, silage

Field name: Home | Crop: Corn, silage | Plant date: 06/02/2023

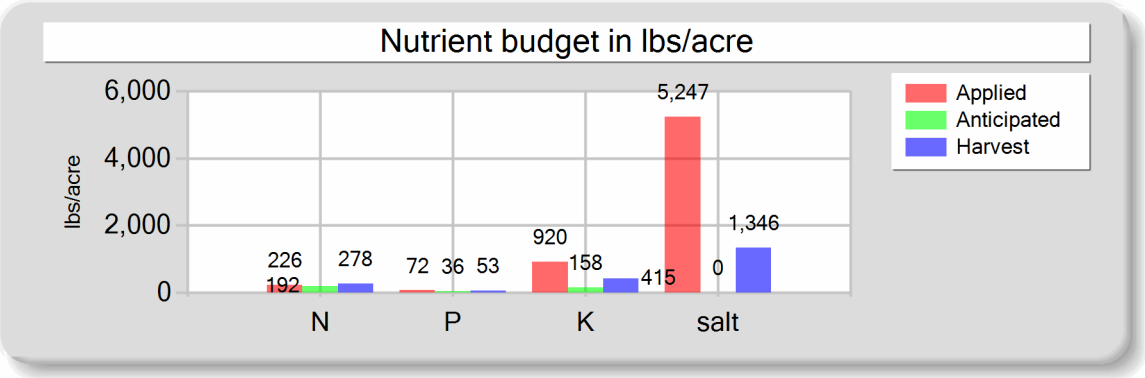


| | Total N (lbs/acre) | Total P (lbs/acre) | Total K (lbs/acre) | Total salt (lbs/acre) |
|---|---|---|---|---|
| Existing soil nutrient content | 0.00 | 0.00 | 0.00 | 0.00 |
| Plowdown credit | 0.00 | 0.00 | 0.00 | 0.00 |
| Commercial fertilizer / Other | 0.00 | 0.00 | 0.00 | 0.00 |
| Dry manure | 0.00 | 0.00 | 0.00 | 0.00 |
| Process wastewater | 219.28 | 71.87 | 920.14 | 3,442.53 |
| Fresh water | 0.00 | 0.00 | 0.00 | 1,804.77 |
| Atmospheric deposition | 7.00 | 0.00 | 0.00 | 0.00 |
| Total nutrients applied | 226.28 | 71.87 | 920.14 | 5,247.30 |
| Anticipated crop nutrient removal | 192.00 | 36.00 | 158.40 | 0.00 |
| Actual crop nutrient removal | 277.95 | 53.41 | 414.63 | 1,345.90 |
| Nutrient balance | -51.68 | 18.46 | 505.51 | 3,901.40 |
| Applied to removed ratio | 0.81 | 1.35 | 2.22 | 3.90 |

| Fresh water applied | |
|---|---|
| 7,209,000.00 | *gallons* |
| 265.48 | *acre-inches* |
| 37.93 | *inches/acre* |

| Process wastewater applied | |
|---|---|
| 384,000.00 | *gallons* |
| 14.14 | *acre-inches* |
| 2.02 | *inches/acre* |

| Total harvests for the crop | |
|---|---|
| 1 | *harvests* |

Mitchell - 10/22/2022: Oats, silage-soft dough

Field name: Mitchell  Crop: Oats, silage-soft dough  Plant date: 10/22/2022

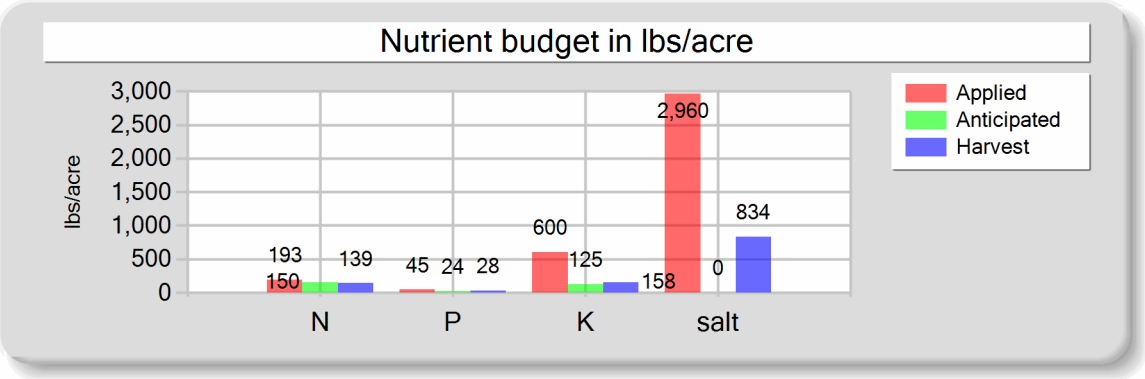


| | Total N (lbs/acre) | Total P (lbs/acre) | Total K (lbs/acre) | Total salt (lbs/acre) |
|---|---|---|---|---|
| Existing soil nutrient content | 0.00 | 0.00 | 0.00 | 0.00 |
| Plowdown credit | 0.00 | 0.00 | 0.00 | 0.00 |
| Commercial fertilizer / Other | 0.00 | 0.00 | 0.00 | 0.00 |
| Dry manure | 0.00 | 0.00 | 0.00 | 0.00 |
| Process wastewater | 186.31 | 45.36 | 600.40 | 2,381.43 |
| Fresh water | 0.00 | 0.00 | 0.00 | 579.00 |
| Atmospheric deposition | 7.00 | 0.00 | 0.00 | 0.00 |
| Total nutrients applied | 193.31 | 45.36 | 600.40 | 2,960.43 |
| Anticipated crop nutrient removal | 150.00 | 24.00 | 124.50 | 0.00 |
| Actual crop nutrient removal | 139.31 | 28.10 | 158.14 | 834.06 |
| Nutrient balance | 54.00 | 17.26 | 442.25 | 2,126.37 |
| Applied to removed ratio | 1.39 | 1.61 | 3.80 | 3.55 |

| Fresh water applied | |
|---|---|
| 6,277,500.00 | *gallons* |
| 231.18 | *acre-inches* |
| 12.17 | *inches/acre* |

| Process wastewater applied | |
|---|---|
| 888,000.00 | *gallons* |
| 32.70 | *acre-inches* |
| 1.72 | *inches/acre* |

| Total harvests for the crop | |
|---|---|
| 1 | *harvests* |

Mitchell - 05/27/2023: Corn, silage

Field name: Mitchell  Crop: Corn, silage  Plant date: 05/27/2023

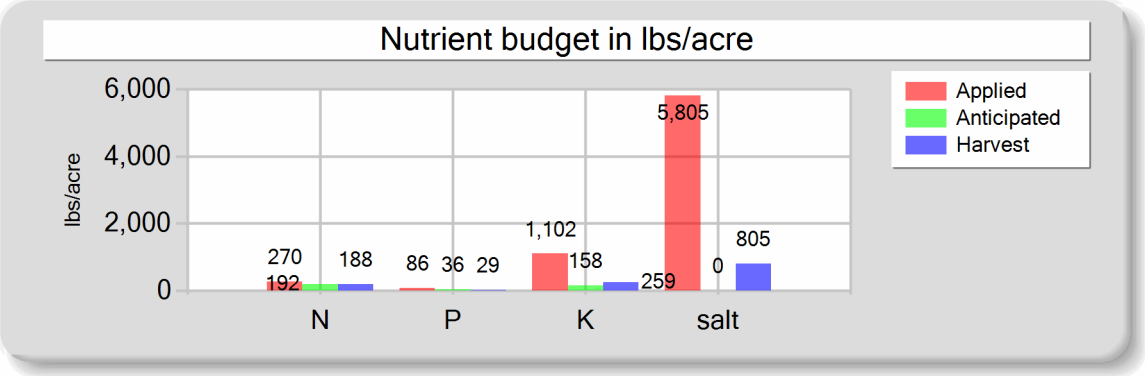


| | Total N (lbs/acre) | Total P (lbs/acre) | Total K (lbs/acre) | Total salt (lbs/acre) |
|---|---|---|---|---|
| Existing soil nutrient content | 0.00 | 0.00 | 0.00 | 0.00 |
| Plowdown credit | 0.00 | 0.00 | 0.00 | 0.00 |
| Commercial fertilizer / Other | 0.00 | 0.00 | 0.00 | 0.00 |
| Dry manure | 0.00 | 0.00 | 0.00 | 0.00 |
| Process wastewater | 262.56 | 86.06 | 1,101.75 | 4,121.97 |
| Fresh water | 0.00 | 0.00 | 0.00 | 1,683.27 |
| Atmospheric deposition | 7.00 | 0.00 | 0.00 | 0.00 |
| Total nutrients applied | 269.56 | 86.06 | 1,101.75 | 5,805.25 |
| Anticipated crop nutrient removal | 192.00 | 36.00 | 158.40 | 0.00 |
| Actual crop nutrient removal | 188.09 | 29.10 | 258.69 | 805.19 |
| Nutrient balance | 81.46 | 56.95 | 843.06 | 5,000.06 |
| Applied to removed ratio | 1.43 | 2.96 | 4.26 | 7.21 |

| Fresh water applied | |
|---|---|
| 18,250,000.00 | *gallons* |
| 672.09 | *acre-inches* |
| 35.37 | *inches/acre* |

| Process wastewater applied | |
|---|---|
| 1,248,000.00 | *gallons* |
| 45.96 | *acre-inches* |
| 2.42 | *inches/acre* |

| Total harvests for the crop | |
|---|---|
| 1 | *harvests* |

New Place - 10/19/2022: Oats, silage-soft dough

Field name: New Place | Crop: Oats, silage-soft dough | Plant date: 10/19/2022

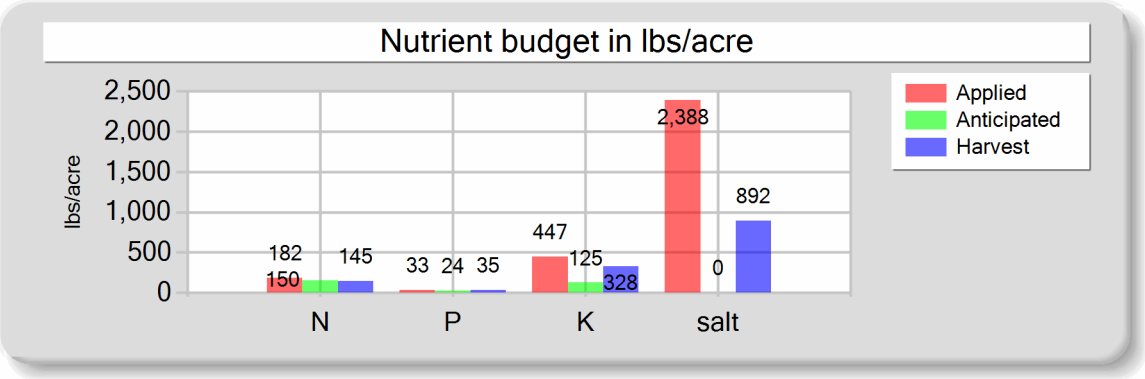


| | Total N (lbs/acre) | Total P (lbs/acre) | Total K (lbs/acre) | Total salt (lbs/acre) |
|---|---|---|---|---|
| Existing soil nutrient content | 0.00 | 0.00 | 0.00 | 0.00 |
| Plowdown credit | 0.00 | 0.00 | 0.00 | 0.00 |
| Commercial fertilizer / Other | 0.00 | 0.00 | 0.00 | 0.00 |
| Dry manure | 0.00 | 0.00 | 0.00 | 0.00 |
| Process wastewater | 175.08 | 32.51 | 447.43 | 1,887.97 |
| Fresh water | 0.00 | 0.00 | 0.00 | 500.20 |
| Atmospheric deposition | 7.00 | 0.00 | 0.00 | 0.00 |
| Total nutrients applied | 182.08 | 32.51 | 447.43 | 2,388.17 |
| Anticipated crop nutrient removal | 150.00 | 24.00 | 124.50 | 0.00 |
| Actual crop nutrient removal | 144.54 | 35.17 | 328.39 | 892.07 |
| Nutrient balance | 37.54 | -2.65 | 119.04 | 1,496.10 |
| Applied to removed ratio | 1.26 | 0.92 | 1.36 | 2.68 |

| Fresh water applied | |
|---|---|
| 11,988,000.00 | *gallons* |
| 441.48 | *acre-inches* |
| 10.51 | *inches/acre* |

| Process wastewater applied | |
|---|---|
| 1,848,000.00 | *gallons* |
| 68.06 | *acre-inches* |
| 1.62 | *inches/acre* |

| Total harvests for the crop | |
|---|---|
| 1 | *harvests* |

New Place - 05/27/2023: Corn, silage

Field name: New Place | Crop: Corn, silage | Plant date: 05/27/2023

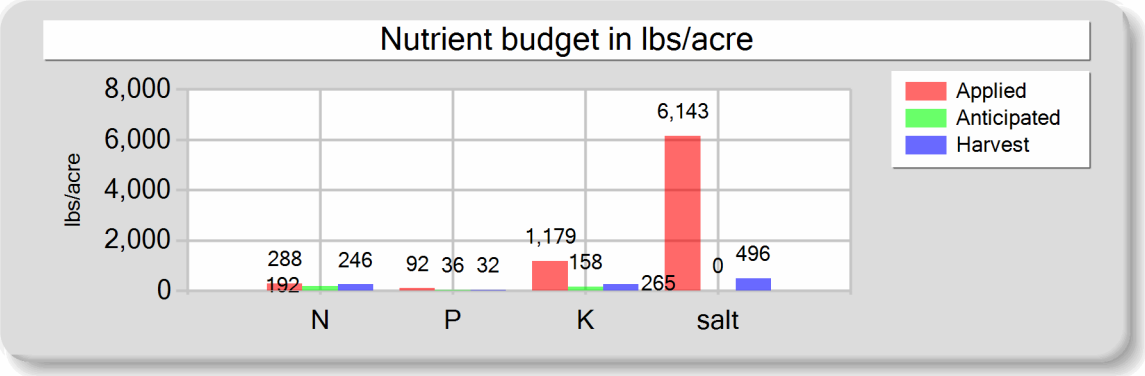


| | Total N (lbs/acre) | Total P (lbs/acre) | Total K (lbs/acre) | Total salt (lbs/acre) |
|---|---|---|---|---|
| Existing soil nutrient content | 0.00 | 0.00 | 0.00 | 0.00 |
| Plowdown credit | 0.00 | 0.00 | 0.00 | 0.00 |
| Commercial fertilizer / Other | 0.00 | 0.00 | 0.00 | 0.00 |
| Dry manure | 0.00 | 0.00 | 0.00 | 0.00 |
| Process wastewater | 280.95 | 92.09 | 1,178.93 | 4,410.74 |
| Fresh water | 0.00 | 0.00 | 0.00 | 1,732.11 |
| Atmospheric deposition | 7.00 | 0.00 | 0.00 | 0.00 |
| Total nutrients applied | 287.95 | 92.09 | 1,178.93 | 6,142.85 |
| Anticipated crop nutrient removal | 192.00 | 36.00 | 158.40 | 0.00 |
| Actual crop nutrient removal | 245.82 | 32.13 | 264.69 | 495.72 |
| Nutrient balance | 42.13 | 59.96 | 914.24 | 5,647.13 |
| Applied to removed ratio | 1.17 | 2.87 | 4.45 | 12.39 |

| Fresh water applied | |
|---|---|
| 41,512,500.00 | *gallons* |
| 1,528.76 | *acre-inches* |
| 36.40 | *inches/acre* |

| Process wastewater applied | |
|---|---|
| 2,952,000.00 | *gallons* |
| 108.71 | *acre-inches* |
| 2.59 | *inches/acre* |

| Total harvests for the crop | |
|---|---|
| 1 | *harvests* |

## Penny Jackson - 10/21/2022: Oats, silage-soft dough

Field name: Penny Jackson | Crop: Oats, silage-soft dough | Plant date: 10/21/2022

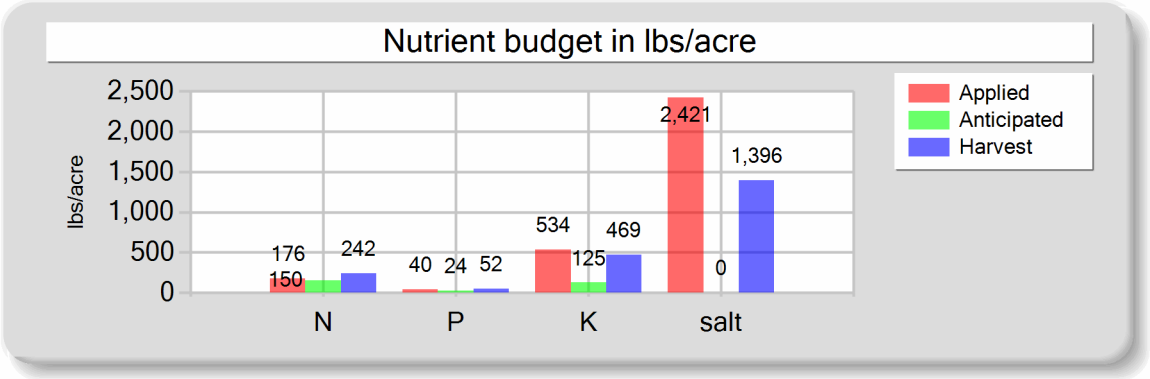


| | Total N (lbs/acre) | Total P (lbs/acre) | Total K (lbs/acre) | Total salt (lbs/acre) |
|---|---|---|---|---|
| Existing soil nutrient content | 0.00 | 0.00 | 0.00 | 0.00 |
| Plowdown credit | 0.00 | 0.00 | 0.00 | 0.00 |
| Commercial fertilizer / Other | 0.00 | 0.00 | 0.00 | 0.00 |
| Dry manure | 0.00 | 0.00 | 0.00 | 0.00 |
| Process wastewater | 169.08 | 40.25 | 534.38 | 2,129.75 |
| Fresh water | 0.00 | 0.00 | 0.00 | 291.37 |
| Atmospheric deposition | 7.00 | 0.00 | 0.00 | 0.00 |
| Total nutrients applied | 176.08 | 40.25 | 534.38 | 2,421.12 |
| Anticipated crop nutrient removal | 150.00 | 24.00 | 124.50 | 0.00 |
| Actual crop nutrient removal | 242.35 | 52.06 | 468.84 | 1,396.18 |
| Nutrient balance | -66.27 | -11.80 | 65.54 | 1,024.93 |
| Applied to removed ratio | 0.73 | 0.77 | 1.14 | 1.73 |

| Fresh water applied | |
|---|---|
| 6,318,000.00 | *gallons* |
| 232.67 | *acre-inches* |
| 6.12 | *inches/acre* |

| Process wastewater applied | |
|---|---|
| 1,612,000.00 | *gallons* |
| 59.36 | *acre-inches* |
| 1.56 | *inches/acre* |

| Total harvests for the crop | |
|---|---|
| 1 | *harvests* |

## Penny Jackson - 05/27/2023: Corn, silage

Field name: Penny Jackson  Crop: Corn, silage  Plant date: 05/27/2023

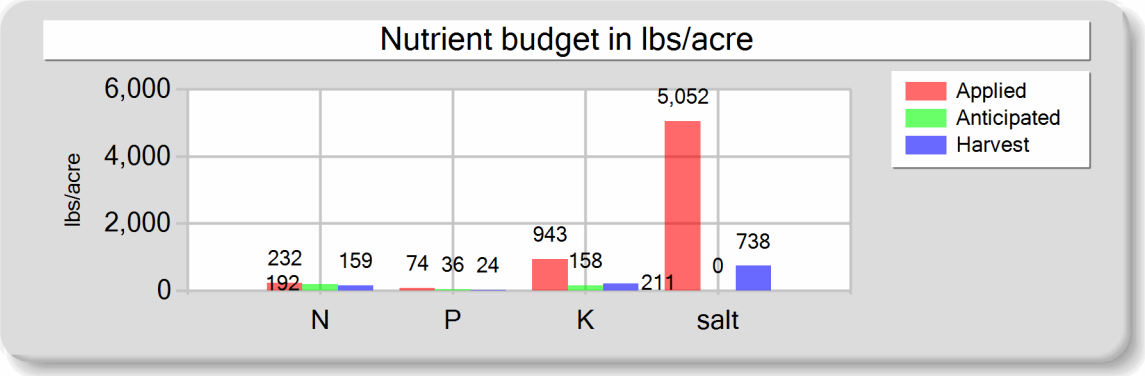


| | Total N (lbs/acre) | Total P (lbs/acre) | Total K (lbs/acre) | Total salt (lbs/acre) |
|---|---|---|---|---|
| Existing soil nutrient content | 0.00 | 0.00 | 0.00 | 0.00 |
| Plowdown credit | 0.00 | 0.00 | 0.00 | 0.00 |
| Commercial fertilizer / Other | 0.00 | 0.00 | 0.00 | 0.00 |
| Dry manure | 0.00 | 0.00 | 0.00 | 0.00 |
| Process wastewater | 224.69 | 73.65 | 942.84 | 3,527.46 |
| Fresh water | 0.00 | 0.00 | 0.00 | 1,524.08 |
| Atmospheric deposition | 7.00 | 0.00 | 0.00 | 0.00 |
| Total nutrients applied | 231.69 | 73.65 | 942.84 | 5,051.54 |
| Anticipated crop nutrient removal | 192.00 | 36.00 | 158.40 | 0.00 |
| Actual crop nutrient removal | 159.29 | 23.68 | 210.96 | 737.75 |
| Nutrient balance | 72.39 | 49.97 | 731.89 | 4,313.79 |
| Applied to removed ratio | 1.45 | 3.11 | 4.47 | 6.85 |

| Fresh water applied | |
|---|---|
| 33,048,000.00 | *gallons* |
| 1,217.05 | *acre-inches* |
| 32.03 | *inches/acre* |

| Process wastewater applied | |
|---|---|
| 2,136,000.00 | *gallons* |
| 78.66 | *acre-inches* |
| 2.07 | *inches/acre* |

| Total harvests for the crop | |
|---|---|
| 1 | *harvests* |

## Reis 1 - 05/03/2022: Oats, silage-soft dough

Field name: Reis 1 Crop: Oats, silage-soft dough Plant date: 05/03/2022

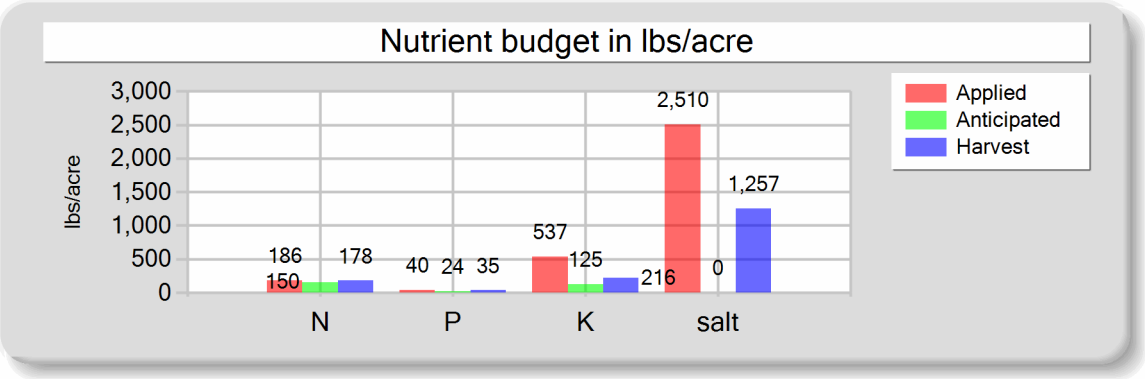


| | Total N (lbs/acre) | Total P (lbs/acre) | Total K (lbs/acre) | Total salt (lbs/acre) |
|---|---|---|---|---|
| Existing soil nutrient content | 0.00 | 0.00 | 0.00 | 0.00 |
| Plowdown credit | 0.00 | 0.00 | 0.00 | 0.00 |
| Commercial fertilizer / Other | 0.00 | 0.00 | 0.00 | 0.00 |
| Dry manure | 0.00 | 0.00 | 0.00 | 0.00 |
| Process wastewater | 179.28 | 40.11 | 536.85 | 2,169.03 |
| Fresh water | 0.00 | 0.00 | 0.00 | 340.68 |
| Atmospheric deposition | 7.00 | 0.00 | 0.00 | 0.00 |
| Total nutrients applied | 186.28 | 40.11 | 536.85 | 2,509.71 |
| Anticipated crop nutrient removal | 150.00 | 24.00 | 124.50 | 0.00 |
| Actual crop nutrient removal | 177.50 | 34.55 | 215.72 | 1,256.85 |
| Nutrient balance | 8.77 | 5.56 | 321.13 | 1,252.86 |
| Applied to removed ratio | 1.05 | 1.16 | 2.49 | 2.00 |

| Fresh water applied | |
|---|---|
| 7,776,000.00 | *gallons* |
| 286.36 | *acre-inches* |
| 7.16 | *inches/acre* |

| Process wastewater applied | |
|---|---|
| 1,800,000.00 | *gallons* |
| 66.29 | *acre-inches* |
| 1.66 | *inches/acre* |

| Total harvests for the crop | |
|---|---|
| 1 | *harvests* |

## Reis 1 - 06/06/2023: Corn, silage

Field name: Reis 1 Crop: Corn, silage Plant date: 06/06/2023

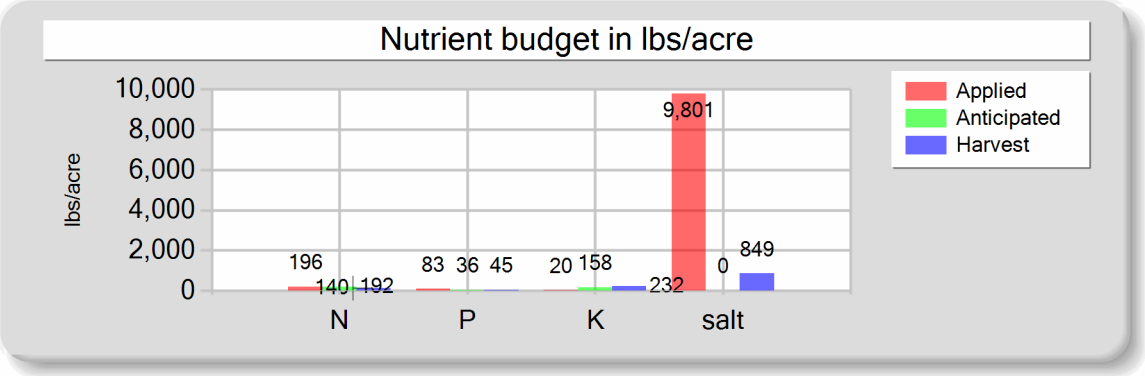


| | Total N (lbs/acre) | Total P (lbs/acre) | Total K (lbs/acre) | Total salt (lbs/acre) |
|---|---|---|---|---|
| Existing soil nutrient content | 0.00 | 0.00 | 0.00 | 0.00 |
| Plowdown credit | 0.00 | 0.00 | 0.00 | 0.00 |
| Commercial fertilizer / Other | 0.00 | 0.00 | 0.00 | 0.00 |
| Dry manure | 188.75 | 82.96 | 20.44 | 8,487.89 |
| Process wastewater | 0.00 | 0.00 | 0.00 | 0.00 |
| Fresh water | 0.00 | 0.00 | 0.00 | 1,313.02 |
| Atmospheric deposition | 7.00 | 0.00 | 0.00 | 0.00 |
| Total nutrients applied | 195.75 | 82.96 | 20.44 | 9,800.91 |
| Anticipated crop nutrient removal | 192.00 | 36.00 | 158.40 | 0.00 |
| Actual crop nutrient removal | 140.18 | 45.39 | 232.29 | 849.06 |
| Nutrient balance | 55.58 | 37.57 | -211.85 | 8,951.85 |
| Applied to removed ratio | 1.40 | 1.83 | 0.09 | 11.54 |

| Fresh water applied | |
|---|---|
| 29,970,000.00 | *gallons* |
| 1,103.69 | *acre-inches* |
| 27.59 | *inches/acre* |

| Process wastewater applied | |
|---|---|
| 0.00 | *gallons* |
| 0.00 | *acre-inches* |
| 0.00 | *inches/acre* |

| Total harvests for the crop | |
|---|---|
| 1 | *harvests* |

## Reis 2 - 10/21/2022: Oats, silage-soft dough

Field name: Reis 2 Crop: Oats, silage-soft dough Plant date: 10/21/2022

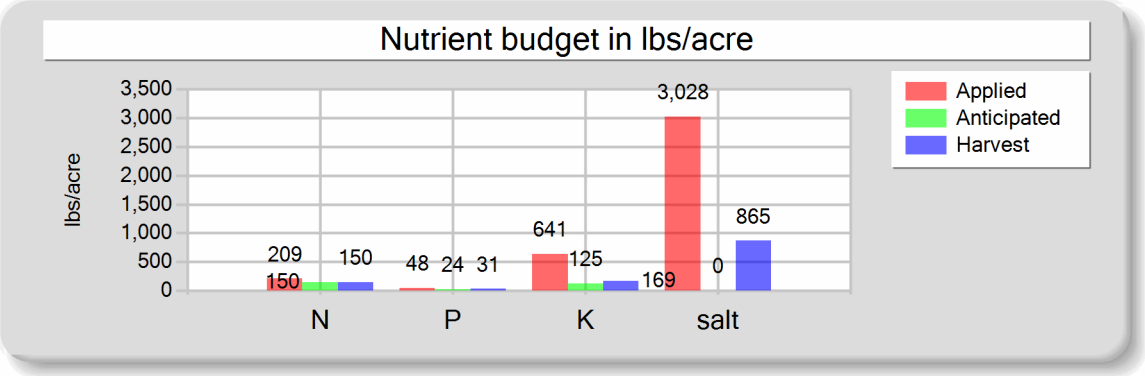


| | Total N (lbs/acre) | Total P (lbs/acre) | Total K (lbs/acre) | Total salt (lbs/acre) |
|---|---|---|---|---|
| Existing soil nutrient content | 0.00 | 0.00 | 0.00 | 0.00 |
| Plowdown credit | 0.00 | 0.00 | 0.00 | 0.00 |
| Commercial fertilizer / Other | 0.00 | 0.00 | 0.00 | 0.00 |
| Dry manure | 0.00 | 0.00 | 0.00 | 0.00 |
| Process wastewater | 201.57 | 48.30 | 640.68 | 2,549.85 |
| Fresh water | 0.00 | 0.00 | 0.00 | 478.57 |
| Atmospheric deposition | 7.00 | 0.00 | 0.00 | 0.00 |
| Total nutrients applied | 208.57 | 48.30 | 640.68 | 3,028.42 |
| Anticipated crop nutrient removal | 150.00 | 24.00 | 124.50 | 0.00 |
| Actual crop nutrient removal | 149.52 | 30.62 | 169.10 | 865.08 |
| Nutrient balance | 59.05 | 17.69 | 471.58 | 2,163.34 |
| Applied to removed ratio | 1.39 | 1.58 | 3.79 | 3.50 |

| Fresh water applied | |
|---|---|
| 9,558,000.00 | *gallons* |
| 351.99 | *acre-inches* |
| 10.06 | *inches/acre* |

| Process wastewater applied | |
|---|---|
| 1,770,000.00 | *gallons* |
| 65.18 | *acre-inches* |
| 1.86 | *inches/acre* |

| Total harvests for the crop | |
|---|---|
| 1 | *harvests* |

## Reis 2 - 06/02/2023: Corn, silage

Field name: Reis 2 Crop: Corn, silage Plant date: 06/02/2023

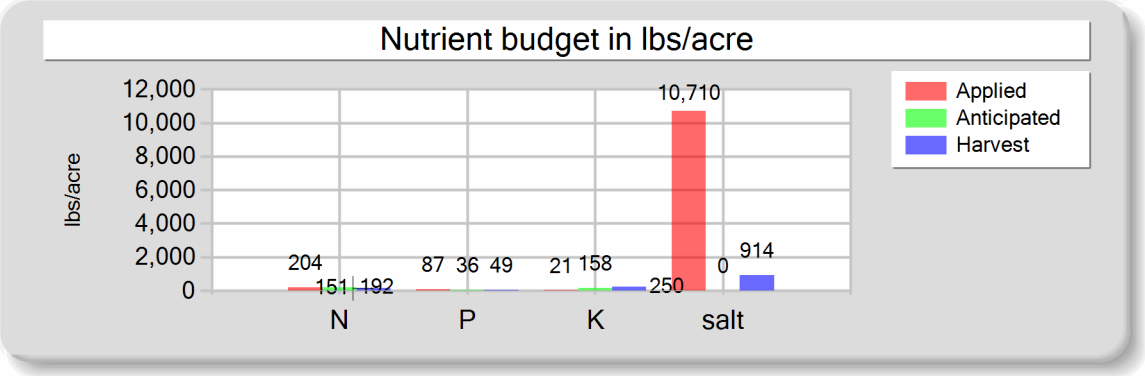


| | Total N (lbs/acre) | Total P (lbs/acre) | Total K (lbs/acre) | Total salt (lbs/acre) |
|---|---|---|---|---|
| Existing soil nutrient content | 0.00 | 0.00 | 0.00 | 0.00 |
| Plowdown credit | 0.00 | 0.00 | 0.00 | 0.00 |
| Commercial fertilizer / Other | 0.00 | 0.00 | 0.00 | 0.00 |
| Dry manure | 197.23 | 86.68 | 21.36 | 8,868.97 |
| Process wastewater | 0.00 | 0.00 | 0.00 | 0.00 |
| Fresh water | 0.00 | 0.00 | 0.00 | 1,841.27 |
| Atmospheric deposition | 7.00 | 0.00 | 0.00 | 0.00 |
| Total nutrients applied | 204.23 | 86.68 | 21.36 | 10,710.25 |
| Anticipated crop nutrient removal | 192.00 | 36.00 | 158.40 | 0.00 |
| Actual crop nutrient removal | 150.84 | 48.84 | 249.96 | 913.66 |
| Nutrient balance | 53.39 | 37.84 | -228.61 | 9,796.59 |
| Applied to removed ratio | 1.35 | 1.77 | 0.09 | 11.72 |

| Fresh water applied | |
|---|---|
| 36,774,000.00 | *gallons* |
| 1,354.26 | *acre-inches* |
| 38.69 | *inches/acre* |

| Process wastewater applied | |
|---|---|
| 0.00 | *gallons* |
| 0.00 | *acre-inches* |
| 0.00 | *inches/acre* |

| Total harvests for the crop | |
|---|---|
| 1 | *harvests* |

## Simmons - 10/20/2022: Oats, silage-soft dough

Field name: Simmons | Crop: Oats, silage-soft dough | Plant date: 10/20/2022

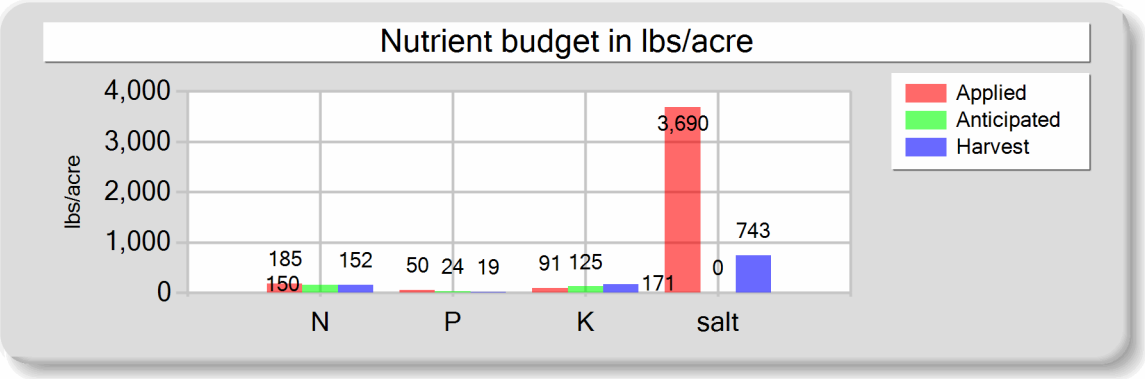


| | Total N (lbs/acre) | Total P (lbs/acre) | Total K (lbs/acre) | Total salt (lbs/acre) |
|---|---|---|---|---|
| Existing soil nutrient content | 0.00 | 0.00 | 0.00 | 0.00 |
| Plowdown credit | 0.00 | 0.00 | 0.00 | 0.00 |
| Commercial fertilizer / Other | 0.00 | 0.00 | 0.00 | 0.00 |
| Dry manure | 177.63 | 50.38 | 90.71 | 3,507.83 |
| Process wastewater | 0.00 | 0.00 | 0.00 | 0.00 |
| Fresh water | 0.00 | 0.00 | 0.00 | 182.51 |
| Atmospheric deposition | 7.00 | 0.00 | 0.00 | 0.00 |
| Total nutrients applied | 184.63 | 50.38 | 90.71 | 3,690.33 |
| Anticipated crop nutrient removal | 150.00 | 24.00 | 124.50 | 0.00 |
| Actual crop nutrient removal | 151.80 | 18.69 | 170.74 | 742.56 |
| Nutrient balance | 32.83 | 31.69 | -80.03 | 2,947.77 |
| Applied to removed ratio | 1.22 | 2.70 | 0.53 | 4.97 |

| Fresh water applied | |
|---|---|
| 3,645,000.00 | *gallons* |
| 134.23 | *acre-inches* |
| 3.84 | *inches/acre* |

| Process wastewater applied | |
|---|---|
| 0.00 | *gallons* |
| 0.00 | *acre-inches* |
| 0.00 | *inches/acre* |

| Total harvests for the crop | |
|---|---|
| 1 | *harvests* |

## Simmons - 06/02/2023: Corn, silage

Field name: Simmons  Crop: Corn, silage  Plant date: 06/02/2023

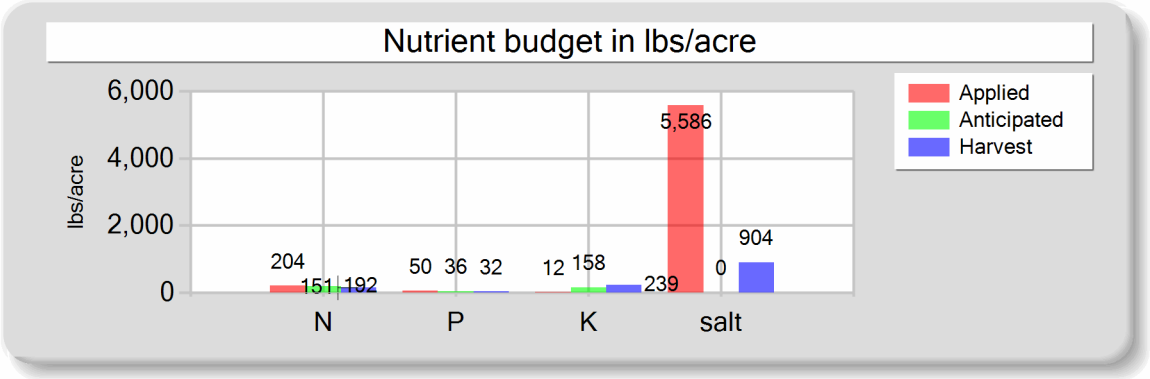


| | Total N (lbs/acre) | Total P (lbs/acre) | Total K (lbs/acre) | Total salt (lbs/acre) |
|---|---|---|---|---|
| Existing soil nutrient content | 0.00 | 0.00 | 0.00 | 0.00 |
| Plowdown credit | 0.00 | 0.00 | 0.00 | 0.00 |
| Commercial fertilizer / Other | 0.00 | 0.00 | 0.00 | 0.00 |
| Dry manure | 197.29 | 50.20 | 11.67 | 3,385.38 |
| Process wastewater | 0.00 | 0.00 | 0.00 | 0.00 |
| Fresh water | 0.00 | 0.00 | 0.00 | 2,200.20 |
| Atmospheric deposition | 7.00 | 0.00 | 0.00 | 0.00 |
| Total nutrients applied | 204.29 | 50.20 | 11.67 | 5,585.58 |
| Anticipated crop nutrient removal | 192.00 | 36.00 | 158.40 | 0.00 |
| Actual crop nutrient removal | 150.90 | 32.20 | 239.32 | 903.95 |
| Nutrient balance | 53.39 | 18.00 | -227.65 | 4,681.62 |
| Applied to removed ratio | 1.35 | 1.56 | 0.05 | 6.18 |

| Fresh water applied | |
|---|---|
| 43,942,500.00 | *gallons* |
| 1,618.25 | *acre-inches* |
| 46.24 | *inches/acre* |

| Process wastewater applied | |
|---|---|
| 0.00 | *gallons* |
| 0.00 | *acre-inches* |
| 0.00 | *inches/acre* |

| Total harvests for the crop | |
|---|---|
| 1 | *harvests* |

## Webster - 10/20/2022: Oats, silage-soft dough

Field name: Webster | Crop: Oats, silage-soft dough | Plant date: 10/20/2022

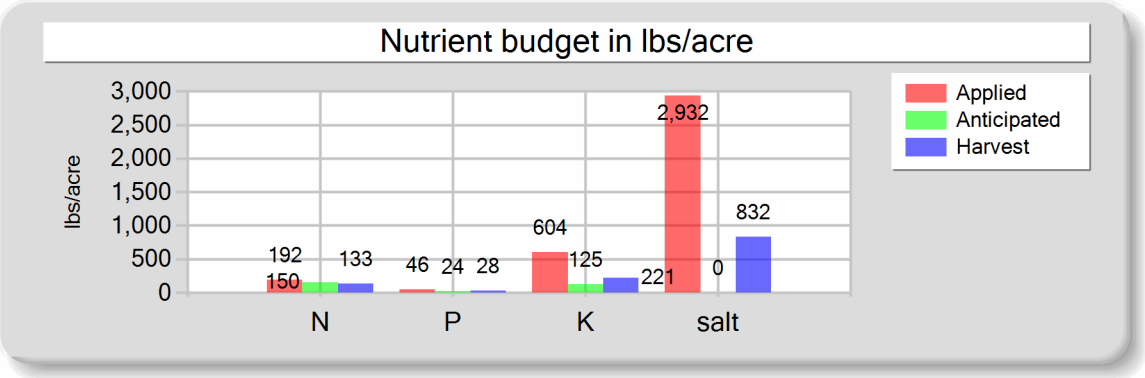


| | Total N (lbs/acre) | Total P (lbs/acre) | Total K (lbs/acre) | Total salt (lbs/acre) |
|---|---|---|---|---|
| Existing soil nutrient content | 0.00 | 0.00 | 0.00 | 0.00 |
| Plowdown credit | 0.00 | 0.00 | 0.00 | 0.00 |
| Commercial fertilizer / Other | 0.00 | 0.00 | 0.00 | 0.00 |
| Dry manure | 0.00 | 0.00 | 0.00 | 0.00 |
| Process wastewater | 184.99 | 45.71 | 603.92 | 2,387.87 |
| Fresh water | 0.00 | 0.00 | 0.00 | 544.14 |
| Atmospheric deposition | 7.00 | 0.00 | 0.00 | 0.00 |
| Total nutrients applied | 191.99 | 45.71 | 603.92 | 2,932.01 |
| Anticipated crop nutrient removal | 150.00 | 24.00 | 124.50 | 0.00 |
| Actual crop nutrient removal | 132.57 | 28.03 | 221.34 | 832.20 |
| Nutrient balance | 59.42 | 17.68 | 382.59 | 2,099.81 |
| Applied to removed ratio | 1.45 | 1.63 | 2.73 | 3.52 |

| Fresh water applied | |
|---|---|
| 9,315,000.00 | *gallons* |
| 343.04 | *acre-inches* |
| 11.43 | *inches/acre* |

| Process wastewater applied | |
|---|---|
| 1,392,000.00 | *gallons* |
| 51.26 | *acre-inches* |
| 1.71 | *inches/acre* |

| Total harvests for the crop | |
|---|---|
| 1 | *harvests* |

Webster - 05/27/2023: Corn, silage

Field name: Webster | Crop: Corn, silage | Plant date: 05/27/2023

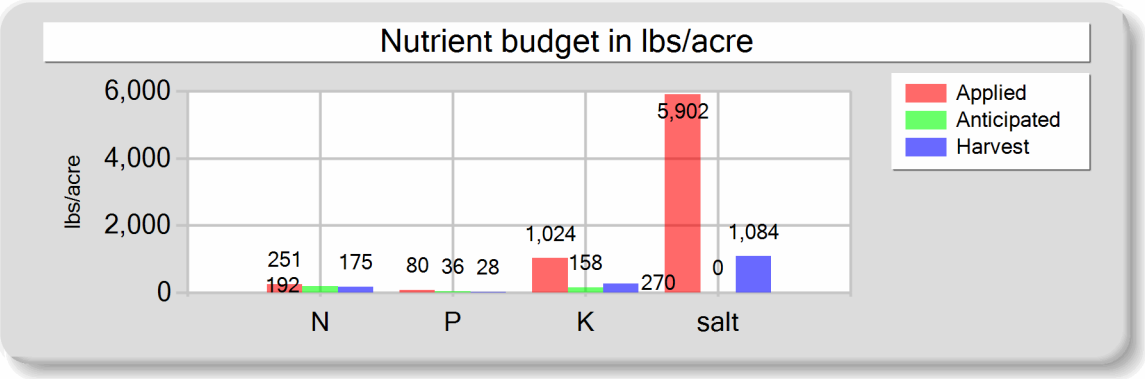


| | Total N (lbs/acre) | Total P (lbs/acre) | Total K (lbs/acre) | Total salt (lbs/acre) |
|---|---|---|---|---|
| Existing soil nutrient content | 0.00 | 0.00 | 0.00 | 0.00 |
| Plowdown credit | 0.00 | 0.00 | 0.00 | 0.00 |
| Commercial fertilizer / Other | 0.00 | 0.00 | 0.00 | 0.00 |
| Dry manure | 0.00 | 0.00 | 0.00 | 0.00 |
| Process wastewater | 244.10 | 80.01 | 1,024.30 | 3,832.20 |
| Fresh water | 0.00 | 0.00 | 0.00 | 2,070.08 |
| Atmospheric deposition | 7.00 | 0.00 | 0.00 | 0.00 |
| Total nutrients applied | 251.10 | 80.01 | 1,024.30 | 5,902.28 |
| Anticipated crop nutrient removal | 192.00 | 36.00 | 158.40 | 0.00 |
| Actual crop nutrient removal | 174.99 | 28.13 | 270.08 | 1,084.03 |
| Nutrient balance | 76.11 | 51.87 | 754.22 | 4,818.25 |
| Applied to removed ratio | 1.43 | 2.84 | 3.79 | 5.44 |

| Fresh water applied | |
|---|---|
| 35,437,500.00 | *gallons* |
| 1,305.04 | *acre-inches* |
| 43.50 | *inches/acre* |

| Process wastewater applied | |
|---|---|
| 1,832,000.00 | *gallons* |
| 67.47 | *acre-inches* |
| 2.25 | *inches/acre* |

| Total harvests for the crop | |
|---|---|
| 1 | *harvests* |

NUTRIENT ANALYSES

## A. MANURE ANALYSES

### Corral Solids

Sample and source description: Corral Solids

Sample date: 10/13/2022 Material type: Corral solids Source of analysis: Lab analysis Method of reporting: Dry-weight

Moisture: 26.0 %

| | Total N (mg/kg) | Total P (mg/kg) | Total K (mg/kg) | Calcium (mg/kg) | Magnesium (mg/kg) | Sodium (mg/kg) | Sulfur (mg/kg) | Chloride (mg/kg) | Total salt (mg/kg) | TFS (%) |
|---|---|---|---|---|---|---|---|---|---|---|
| **Value** | 19,400.00 | 7,900.00 | 42,300.00 | | | | | | | 31.80 |
| **DL** | 100.00 | 100.00 | 100.00 | | | | | | | 0.01 |

### Separator Solids

Sample and source description: Separator Solids

Sample date: 10/13/2022 Material type: Separator solids Source of analysis: Lab analysis Method of reporting: Dry-weight

Moisture: 60.9 %

| | Total N (mg/kg) | Total P (mg/kg) | Total K (mg/kg) | Calcium (mg/kg) | Magnesium (mg/kg) | Sodium (mg/kg) | Sulfur (mg/kg) | Chloride (mg/kg) | Total salt (mg/kg) | TFS (%) |
|---|---|---|---|---|---|---|---|---|---|---|
| **Value** | 15,900.00 | 4,510.00 | 8,120.00 | | | | | | | 31.40 |
| **DL** | 100.00 | 100.00 | 100.00 | | | | | | | 0.01 |

### Corral Solids

Sample and source description: Corral Solids

Sample date: 04/27/2023 Material type: Corral solids Source of analysis: Lab analysis Method of reporting: Dry-weight

Moisture: 34.1 %

| | Total N (mg/kg) | Total P (mg/kg) | Total K (mg/kg) | Calcium (mg/kg) | Magnesium (mg/kg) | Sodium (mg/kg) | Sulfur (mg/kg) | Chloride (mg/kg) | Total salt (mg/kg) | TFS (%) |
|---|---|---|---|---|---|---|---|---|---|---|
| **Value** | 16,900.00 | 4,300.00 | 1,000.00 | | | | | | | 29.00 |
| **DL** | 100.00 | 100.00 | 100.00 | | | | | | | 0.01 |

Separator Solids

Sample and source description: Separator Solids

Sample date: 04/27/2023 Material type: Separator solids Source of analysis: Lab analysis Method of reporting: Dry-weight

Moisture: 73.3 %

| | Total N (mg/kg) | Total P (mg/kg) | Total K (mg/kg) | Calcium (mg/kg) | Magnesium (mg/kg) | Sodium (mg/kg) | Sulfur (mg/kg) | Chloride (mg/kg) | Total salt (mg/kg) | TFS (%) |
|---|---|---|---|---|---|---|---|---|---|---|
| **Value** | 16,000.00 | 3,600.00 | 2,300.00 | | | | | | | 13.90 |
| **DL** | 100.00 | 100.00 | 100.00 | | | | | | | 0.01 |

Corral Solids

Sample and source description: Corral Solids

Sample date: 10/19/2023 Material type: Corral solids Source of analysis: Lab analysis Method of reporting: Dry-weight

Moisture: 30.5 %

| | Total N (mg/kg) | Total P (mg/kg) | Total K (mg/kg) | Calcium (mg/kg) | Magnesium (mg/kg) | Sodium (mg/kg) | Sulfur (mg/kg) | Chloride (mg/kg) | Total salt (mg/kg) | TFS (%) |
|---|---|---|---|---|---|---|---|---|---|---|
| **Value** | 16,200.00 | 9,400.00 | 34,900.00 | | | | | | | 23.10 |
| **DL** | 100.00 | 100.00 | 100.00 | | | | | | | 0.01 |

Separator Solids

Sample and source description: Separator Solids

Sample date: 10/19/2023 Material type: Separator solids Source of analysis: Lab analysis Method of reporting: Dry-weight

Moisture: 66.8 %

| | Total N (mg/kg) | Total P (mg/kg) | Total K (mg/kg) | Calcium (mg/kg) | Magnesium (mg/kg) | Sodium (mg/kg) | Sulfur (mg/kg) | Chloride (mg/kg) | Total salt (mg/kg) | TFS (%) |
|---|---|---|---|---|---|---|---|---|---|---|
| **Value** | 7,500.00 | 2,750.00 | 6,250.00 | | | | | | | 16.50 |
| **DL** | 100.00 | 100.00 | 100.00 | | | | | | | 0.01 |

**B. PROCESS WASTEWATER ANALYSES**

## 4QWW

Sample and source description: 4QWW

Sample date: 10/27/2022 Material type: Process wastewater Source of analysis: Lab analysis pH:

| | Kjeldahl-N (mg/L) | NH4-N (mg/L) | NH3-N (mg/L) | Nitrate-N (mg/L) | Total P (mg/L) | Total K (mg/L) | Calcium (mg/L) | Magnes. (mg/L) | Sodium (mg/L) | Bicarb. (mg/L) | Carb. (mg/L) | Sulfate (mg/L) | Chloride (mg/L) | EC (µmhos/cm) | TDS (mg/L) |
|---|---|---|---|---|---|---|---|---|---|---|---|---|---|---|---|
| **Value** | 475.00 | 332.00 | 0.00 | 0.00 | 31.50 | 559.00 | | | | | | | | 6,960.00 | 3,160 |
| **DL** | 0.50 | 0.50 | 0.50 | 0.50 | 0.50 | 0.50 | | | | | | | | 1.00 | 10 |

## 1QWW

Sample and source description: 1QWW

Sample date: 02/09/2023 Material type: Process wastewater Source of analysis: Lab analysis pH:

| | Kjeldahl-N (mg/L) | NH4-N (mg/L) | NH3-N (mg/L) | Nitrate-N (mg/L) | Total P (mg/L) | Total K (mg/L) | Calcium (mg/L) | Magnes. (mg/L) | Sodium (mg/L) | Bicarb. (mg/L) | Carb. (mg/L) | Sulfate (mg/L) | Chloride (mg/L) | EC (µmhos/cm) | TDS (mg/L) |
|---|---|---|---|---|---|---|---|---|---|---|---|---|---|---|---|
| **Value** | 350.00 | 210.00 | 0.00 | 0.00 | 34.30 | 655.00 | | | | | | | | 5,200.00 | 4,740 |
| **DL** | 0.50 | 0.50 | 0.50 | 0.50 | 0.50 | 0.50 | | | | | | | | 1.00 | 10 |

## 1QWW

Sample and source description: 1QWW

Sample date: 02/09/2023 Material type: Process wastewater Source of analysis: Lab analysis pH:

| | Kjeldahl-N (mg/L) | NH4-N (mg/L) | NH3-N (mg/L) | Nitrate-N (mg/L) | Total P (mg/L) | Total K (mg/L) | Calcium (mg/L) | Magnes. (mg/L) | Sodium (mg/L) | Bicarb. (mg/L) | Carb. (mg/L) | Sulfate (mg/L) | Chloride (mg/L) | EC (µmhos/cm) | TDS (mg/L) |
|---|---|---|---|---|---|---|---|---|---|---|---|---|---|---|---|
| **Value** | 479.00 | 196.00 | 0.00 | 0.00 | 157.00 | 2,010.00 | | | | | | | | 8,850.00 | 7,520 |
| **DL** | 0.50 | 0.50 | 0.50 | 0.50 | 0.50 | 0.50 | | | | | | | | 1.00 | 10 |

## 2QWW

Sample and source description: 2QWW

Sample date: 06/01/2023 Material type: Process wastewater Source of analysis: Lab analysis pH:

| | Kjeldahl-N (mg/L) | NH4-N (mg/L) | NH3-N (mg/L) | Nitrate-N (mg/L) | Total P (mg/L) | Total K (mg/L) | Calcium (mg/L) | Magnes. (mg/L) | Sodium (mg/L) | Bicarb. (mg/L) | Carb. (mg/L) | Sulfate (mg/L) | Chloride (mg/L) | EC (µmhos/cm) | TDS (mg/L) |
|---|---|---|---|---|---|---|---|---|---|---|---|---|---|---|---|
| **Value** | 1,590.00 | 512.00 | 0.00 | 0.00 | 107.00 | 840.00 | | | | | | | | 7,720.00 | 4,560 |
| **DL** | 0.50 | 0.50 | 0.50 | 0.50 | 0.50 | 0.50 | | | | | | | | 1.00 | 10 |

3QWW

Sample and source description: 3QWW

Sample date: 07/28/2023 Material type: Process wastewater Source of analysis: Lab analysis pH:

| | Kjeldahl-N (mg/L) | NH4-N (mg/L) | NH3-N (mg/L) | Nitrate-N (mg/L) | Total P (mg/L) | Total K (mg/L) | Calcium (mg/L) | Magnes. (mg/L) | Sodium (mg/L) | Bicarb. (mg/L) | Carb. (mg/L) | Sulfate (mg/L) | Chloride (mg/L) | EC (µmhos/cm) | TDS (mg/L) |
|---|---|---|---|---|---|---|---|---|---|---|---|---|---|---|---|
| **Value** | 132.00 | 84.00 | 0.00 | 0.00 | 21.50 | 376.00 | | | | | | | | 288.00 | 4,020 |
| **DL** | 0.50 | 0.50 | 0.50 | 0.50 | 0.50 | 0.50 | | | | | | | | 1.00 | 10 |

4QWW

Sample and source description: 4QWW

Sample date: 10/26/2023 Material type: Process wastewater Source of analysis: Lab analysis pH:

| | Kjeldahl-N (mg/L) | NH4-N (mg/L) | NH3-N (mg/L) | Nitrate-N (mg/L) | Total P (mg/L) | Total K (mg/L) | Calcium (mg/L) | Magnes. (mg/L) | Sodium (mg/L) | Bicarb. (mg/L) | Carb. (mg/L) | Sulfate (mg/L) | Chloride (mg/L) | EC (µmhos/cm) | TDS (mg/L) |
|---|---|---|---|---|---|---|---|---|---|---|---|---|---|---|---|
| **Value** | 518.00 | 333.00 | 0.00 | 0.00 | 55.30 | 812.00 | | | | | | | | 7,100.00 | 4,900 |
| **DL** | 0.50 | 0.50 | 0.50 | 0.50 | 0.50 | 0.50 | | | | | | | | 1.00 | 10 |

## C. FRESH WATER ANALYSES

Canal

Fresh Water

Sample description: Fresh Water

Sample date: 10/12/2022 Source of analysis: Lab analysis

| | Total N (mg/L) | NH4-N (mg/L) | Nitrate-N (mg/L) | Calcium (mg/L) | Magnesium (mg/L) | Sodium (mg/L) | Bicarbonate (mg/L) | Carbonate (mg/L) | Sulfate (mg/L) | Chloride (mg/L) | EC (µmhos/cm) | TDS (mg/L) |
|---|---|---|---|---|---|---|---|---|---|---|---|---|
| **Value** | 0.00 | 0.00 | 0.00 | | | | | | | | 0.00 | 210 |
| **DL** | 0.50 | 0.50 | 0.50 | | | | | | | | 1.00 | 10 |

IW 8

IW 8

Fresh Water

Sample description: Fresh Water

Sample date: 12/09/2022 Source of analysis: Lab analysis

| | Total N (mg/L) | NH4-N (mg/L) | Nitrate-N (mg/L) | Calcium (mg/L) | Magnesium (mg/L) | Sodium (mg/L) | Bicarbonate (mg/L) | Carbonate (mg/L) | Sulfate (mg/L) | Chloride (mg/L) | EC (µmhos/cm) | TDS (mg/L) |
|---|---|---|---|---|---|---|---|---|---|---|---|---|
| **Value** | 56.80 | 0.00 | 54.00 | | | | | | | | 1,820.00 | 1,050 |
| **DL** | 0.50 | 0.50 | 0.50 | | | | | | | | 1.00 | 10 |

## D. SOIL ANALYSES

*No soil analyses entered.*

## E. PLANT TISSUE ANALYSES

Bispo - 10/21/2022: Oats, silage-soft dough

Forage

Sample and source description: Forage

Sample date: 05/05/2023 Source of analysis: Lab analysis Method of reporting: As-is

Moisture: 70.0 %

| | Total N (mg/kg) | Total P (mg/kg) | Total K (mg/kg) | Total salt (mg/kg) | TFS (%) |
|---|---|---|---|---|---|
| **Value** | 6,290.00 | 1,770.00 | 15,900.00 | | 14.70 |
| **DL** | 100.00 | 100.00 | 100.00 | | 0.01 |

Bispo - 06/03/2023: Corn, silage

## Bispo - 06/03/2023: Corn, silage

### Corn Silage

Sample and source description: Corn Silage

Sample date: 10/03/2023 Source of analysis: Lab analysis Method of reporting: As-is

Moisture: 74.6 %

| | Total N (mg/kg) | Total P (mg/kg) | Total K (mg/kg) | Total salt (mg/kg) | TFS (%) |
|---|---|---|---|---|---|
| **Value** | 5,330.00 | 1,500.00 | 13,400.00 | | 14.70 |
| **DL** | 100.00 | 100.00 | 100.00 | | 0.01 |

## Dougherty - 10/21/2022: Oats, silage-soft dough

### Forage

Sample and source description: Forage

Sample date: 05/05/2023 Source of analysis: Lab analysis Method of reporting: As-is

Moisture: 70.0 %

| | Total N (mg/kg) | Total P (mg/kg) | Total K (mg/kg) | Total salt (mg/kg) | TFS (%) |
|---|---|---|---|---|---|
| **Value** | 6,870.00 | 1,440.00 | 14,500.00 | | 14.60 |
| **DL** | 100.00 | 100.00 | 100.00 | | 0.01 |

## Dougherty - 07/28/2023: Sudangrass, silage

### Sudan

Sample and source description: Sudan

Sample date: 09/15/2023 Source of analysis: Lab analysis Method of reporting: As-is

Moisture: 63.4 %

| | Total N (mg/kg) | Total P (mg/kg) | Total K (mg/kg) | Total salt (mg/kg) | TFS (%) |
|---|---|---|---|---|---|
| **Value** | 8,380.00 | 1,750.00 | 17,700.00 | | 14.60 |
| **DL** | 100.00 | 100.00 | 100.00 | | 0.01 |

## Estacio 1 - 10/19/2022: Oats, silage-soft dough

### Forage

Sample and source description: Forage

Sample date: 05/02/2023 Source of analysis: Lab analysis Method of reporting: As-is

Moisture: 70.0 %

| | Total N (mg/kg) | Total P (mg/kg) | Total K (mg/kg) | Total salt (mg/kg) | TFS (%) |
|---|---|---|---|---|---|
| **Value** | 4,170.00 | 940.00 | 7,720.00 | | 9.48 |
| **DL** | 100.00 | 100.00 | 100.00 | | 0.01 |

## Estacio 1 - 06/03/2023: Corn, silage

### Corn Silage

Sample and source description: Corn Silage

Sample date: 10/03/2023 Source of analysis: Lab analysis Method of reporting: As-is

Moisture: 67.8 %

| | Total N (mg/kg) | Total P (mg/kg) | Total K (mg/kg) | Total salt (mg/kg) | TFS (%) |
|---|---|---|---|---|---|
| **Value** | 4,480.00 | 1,000.00 | 8,280.00 | | 9.48 |
| **DL** | 100.00 | 100.00 | 100.00 | | 0.01 |

## Estacio 2 - 10/22/2022: Oats, silage-soft dough

### Forage

Sample and source description: Forage

Sample date: 05/05/2023 Source of analysis: Lab analysis Method of reporting: As-is

Moisture: 70.0 %

| | Total N (mg/kg) | Total P (mg/kg) | Total K (mg/kg) | Total salt (mg/kg) | TFS (%) |
|---|---|---|---|---|---|
| **Value** | 4,310.00 | 900.00 | 4,900.00 | | 8.30 |
| **DL** | 100.00 | 100.00 | 100.00 | | 0.01 |

## Estacio 2 - 06/03/2023: Corn, silage

### Corn Silage

Sample and source description: Corn Silage

Sample date: 10/03/2023 Source of analysis: Lab analysis Method of reporting: As-is

Moisture: 75.0 %

| | Total N (mg/kg) | Total P (mg/kg) | Total K (mg/kg) | Total salt (mg/kg) | TFS (%) |
|---|---|---|---|---|---|
| **Value** | 3,590.00 | 750.00 | 4,090.00 | | 8.30 |
| **DL** | 100.00 | 100.00 | 100.00 | | 0.01 |

## Estacio 3 - 10/22/2022: Oats, silage-soft dough

### Forage

Sample and source description: Forage

Sample date: 05/05/2023 Source of analysis: Lab analysis Method of reporting: As-is

Moisture: 70.0 %

| | Total N (mg/kg) | Total P (mg/kg) | Total K (mg/kg) | Total salt (mg/kg) | TFS (%) |
|---|---|---|---|---|---|
| **Value** | 4,190.00 | 840.00 | 4,510.00 | | 9.20 |
| **DL** | 100.00 | 100.00 | 100.00 | | 0.01 |

## Estacio 3 - 06/03/2023: Corn, silage

### Corn Silage

Sample and source description: Corn Silage

Sample date: 10/03/2023 Source of analysis: Lab analysis Method of reporting: As-is

Moisture: 74.4 %

| | Total N (mg/kg) | Total P (mg/kg) | Total K (mg/kg) | Total salt (mg/kg) | TFS (%) |
|---|---|---|---|---|---|
| **Value** | 3,580.00 | 710.00 | 3,850.00 | | 9.20 |
| **DL** | 100.00 | 100.00 | 100.00 | | 0.01 |

## Estacio 4 - 10/19/2022: Oats, silage-soft dough

### Forage

Sample and source description: Forage

Sample date: 05/05/2023 Source of analysis: Lab analysis Method of reporting: As-is

Moisture: 70.0 %

| | Total N (mg/kg) | Total P (mg/kg) | Total K (mg/kg) | Total salt (mg/kg) | TFS (%) |
|---|---|---|---|---|---|
| **Value** | 4,680.00 | 1,030.00 | 8,970.00 | | 9.80 |
| **DL** | 100.00 | 100.00 | 100.00 | | 0.01 |

## Estacio 4 - 06/03/2023: Corn, silage

### Corn Silage

Sample and source description: Corn Silage

Sample date: 09/15/2023 Source of analysis: Lab analysis Method of reporting: As-is

Moisture: 70.2 %

| | Total N (mg/kg) | Total P (mg/kg) | Total K (mg/kg) | Total salt (mg/kg) | TFS (%) |
|---|---|---|---|---|---|
| **Value** | 4,650.00 | 1,030.00 | 8,910.00 | | 9.80 |
| **DL** | 100.00 | 100.00 | 100.00 | | 0.01 |

## Estacio 5 - 10/22/2022: Oats, silage-soft dough

### Forage

Sample and source description: Forage

Sample date: 05/05/2023 Source of analysis: Lab analysis Method of reporting: As-is

Moisture: 70.0 %

| | Total N (mg/kg) | Total P (mg/kg) | Total K (mg/kg) | Total salt (mg/kg) | TFS (%) |
|---|---|---|---|---|---|
| **Value** | 4,610.00 | 850.00 | 4,630.00 | | 11.60 |
| **DL** | 100.00 | 100.00 | 100.00 | | 0.01 |

## Estacio 5 - 07/28/2023: Sudangrass, silage

### Sudan

Sample and source description: Sudan

Sample date: 09/15/2023 Source of analysis: Lab analysis Method of reporting: As-is

Moisture: 74.2 %

| | Total N (mg/kg) | Total P (mg/kg) | Total K (mg/kg) | Total salt (mg/kg) | TFS (%) |
|---|---|---|---|---|---|
| **Value** | 3,970.00 | 730.00 | 3,980.00 | | 11.60 |
| **DL** | 100.00 | 100.00 | 100.00 | | 0.01 |

## Heifer Ranch - 10/19/2022: Oats, silage-soft dough

### Forage

Sample and source description: Forage

Sample date: 05/02/2023 Source of analysis: Lab analysis Method of reporting: As-is

Moisture: 70.0 %

| | Total N (mg/kg) | Total P (mg/kg) | Total K (mg/kg) | Total salt (mg/kg) | TFS (%) |
|---|---|---|---|---|---|
| **Value** | 5,710.00 | 830.00 | 6,780.00 | | 10.10 |
| **DL** | 100.00 | 100.00 | 100.00 | | 0.01 |

## Heifer Ranch - 06/03/2023: Corn, silage

### Corn Silage

Sample and source description: Corn Silage

Sample date: 09/15/2023 Source of analysis: Lab analysis Method of reporting: As-is

Moisture: 59.6 %

| | Total N (mg/kg) | Total P (mg/kg) | Total K (mg/kg) | Total salt (mg/kg) | TFS (%) |
|---|---|---|---|---|---|
| **Value** | 7,690.00 | 1,120.00 | 9,130.00 | | 10.10 |
| **DL** | 100.00 | 100.00 | 100.00 | | 0.01 |

## Home - 10/22/2022: Oats, silage-soft dough

### Forage

Sample and source description: Forage

Sample date: 05/05/2023 Source of analysis: Lab analysis Method of reporting: As-is

Moisture: 70.0 %

| | Total N (mg/kg) | Total P (mg/kg) | Total K (mg/kg) | Total salt (mg/kg) | TFS (%) |
|---|---|---|---|---|---|
| **Value** | 4,540.00 | 790.00 | 270.00 | | 8.00 |
| **DL** | 100.00 | 100.00 | 100.00 | | 0.01 |

## Home - 06/02/2023: Corn, silage

### Corn Silage

Sample and source description: Corn Silage

Sample date: 09/28/2023 Source of analysis: Lab analysis Method of reporting: As-is

Moisture: 74.8 %

| | Total N (mg/kg) | Total P (mg/kg) | Total K (mg/kg) | Total salt (mg/kg) | TFS (%) |
|---|---|---|---|---|---|
| **Value** | 3,820.00 | 670.00 | 230.00 | | 8.00 |
| **DL** | 100.00 | 100.00 | 100.00 | | 0.01 |

## Mitchell - 10/22/2022: Oats, silage-soft dough

### Forage

Sample and source description: Forage

Sample date: 05/05/2023 Source of analysis: Lab analysis Method of reporting: As-is

Moisture: 70.0 %

| | Total N (mg/kg) | Total P (mg/kg) | Total K (mg/kg) | Total salt (mg/kg) | TFS (%) |
|---|---|---|---|---|---|
| **Value** | 4,660.00 | 940.00 | 5,290.00 | | 9.30 |
| **DL** | 100.00 | 100.00 | 100.00 | | 0.01 |

## Mitchell - 05/27/2023: Corn, silage

### Corn Silage

Sample and source description: Corn Silage

Sample date: 09/15/2023 Source of analysis: Lab analysis Method of reporting: As-is

Moisture: 76.8 %

| | Total N (mg/kg) | Total P (mg/kg) | Total K (mg/kg) | Total salt (mg/kg) | TFS (%) |
|---|---|---|---|---|---|
| **Value** | 3,610.00 | 730.00 | 4,090.00 | | 9.30 |
| **DL** | 100.00 | 100.00 | 100.00 | | 0.01 |

## New Place - 10/19/2022: Oats, silage-soft dough

### Forage

Sample and source description: Forage

Sample date: 05/02/2023 Source of analysis: Lab analysis Method of reporting: As-is

Moisture: 70.0 %

| | Total N (mg/kg) | Total P (mg/kg) | Total K (mg/kg) | Total salt (mg/kg) | TFS (%) |
|---|---|---|---|---|---|
| **Value** | 5,590.00 | 1,360.00 | 12,700.00 | | 11.50 |
| **DL** | 100.00 | 100.00 | 100.00 | | 0.01 |

## New Place - 05/27/2023: Corn, silage

### Corn Silage

Sample and source description: Corn Silage

Sample date: 09/15/2023 Source of analysis: Lab analysis Method of reporting: As-is

Moisture: 77.0 %

| | Total N (mg/kg) | Total P (mg/kg) | Total K (mg/kg) | Total salt (mg/kg) | TFS (%) |
|---|---|---|---|---|---|
| **Value** | 4,290.00 | 1,040.00 | 9,700.00 | | 11.50 |
| **DL** | 100.00 | 100.00 | 100.00 | | 0.01 |

## Penny Jackson - 10/21/2022: Oats, silage-soft dough

### Forage

Sample and source description: Forage

Sample date: 05/05/2023 Source of analysis: Lab analysis Method of reporting: As-is

Moisture: 70.0 %

| | Total N (mg/kg) | Total P (mg/kg) | Total K (mg/kg) | Total salt (mg/kg) | TFS (%) |
|---|---|---|---|---|---|
| **Value** | 7,030.00 | 1,510.00 | 13,600.00 | | 13.50 |
| **DL** | 100.00 | 100.00 | 100.00 | | 0.01 |

## Penny Jackson - 05/27/2023: Corn, silage

### Corn Silage

Sample and source description: Corn Silage

Sample date: 09/15/2023 Source of analysis: Lab analysis Method of reporting: As-is

Moisture: 76.0 %

| | Total N (mg/kg) | Total P (mg/kg) | Total K (mg/kg) | Total salt (mg/kg) | TFS (%) |
|---|---|---|---|---|---|
| **Value** | 5,620.00 | 1,200.00 | 10,800.00 | | 13.50 |
| **DL** | 100.00 | 100.00 | 100.00 | | 0.01 |

## Reis 1 - 05/03/2022: Oats, silage-soft dough

### Forage

Sample and source description: Forage

Sample date: 05/05/2023 Source of analysis: Lab analysis Method of reporting: As-is

Moisture: 70.0 %

| | Total N (mg/kg) | Total P (mg/kg) | Total K (mg/kg) | Total salt (mg/kg) | TFS (%) |
|---|---|---|---|---|---|
| **Value** | 4,830.00 | 940.00 | 5,870.00 | | 11.40 |
| **DL** | 100.00 | 100.00 | 100.00 | | 0.01 |

## Reis 1 - 06/06/2023: Corn, silage

### Corn Silage

Sample and source description: Corn Silage

Sample date: 09/15/2023 Source of analysis: Lab analysis Method of reporting: As-is

Moisture: 75.0 %

| | Total N (mg/kg) | Total P (mg/kg) | Total K (mg/kg) | Total salt (mg/kg) | TFS (%) |
|---|---|---|---|---|---|
| **Value** | 4,030.00 | 790.00 | 4,900.00 | | 11.40 |
| **DL** | 100.00 | 100.00 | 100.00 | | 0.01 |

## Reis 2 - 10/21/2022: Oats, silage-soft dough

### Forage

Sample and source description: Forage

Sample date: 05/05/2023 Source of analysis: Lab analysis Method of reporting: As-is

Moisture: 70.0 %

| | Total N (mg/kg) | Total P (mg/kg) | Total K (mg/kg) | Total salt (mg/kg) | TFS (%) |
|---|---|---|---|---|---|
| **Value** | 4,200.00 | 860.00 | 4,750.00 | | 8.10 |
| **DL** | 100.00 | 100.00 | 100.00 | | 0.01 |

## Reis 2 - 06/02/2023: Corn, silage

### Corn Silage

Sample and source description: Corn Silage

Sample date: 09/28/2023 Source of analysis: Lab analysis Method of reporting: As-is

Moisture: 75.0 %

| | Total N (mg/kg) | Total P (mg/kg) | Total K (mg/kg) | Total salt (mg/kg) | TFS (%) |
|---|---|---|---|---|---|
| **Value** | 3,500.00 | 720.00 | 3,960.00 | | 8.10 |
| **DL** | 100.00 | 100.00 | 100.00 | | 0.01 |

## Simmons - 10/20/2022: Oats, silage-soft dough

### Forage

Sample and source description: Forage

Sample date: 05/02/2023 Source of analysis: Lab analysis Method of reporting: As-is

Moisture: 70.0 %

| | Total N (mg/kg) | Total P (mg/kg) | Total K (mg/kg) | Total salt (mg/kg) | TFS (%) |
|---|---|---|---|---|---|
| **Value** | 6,010.00 | 740.00 | 6,760.00 | | 9.80 |
| **DL** | 100.00 | 100.00 | 100.00 | | 0.01 |

## Simmons - 06/02/2023: Corn, silage

### Corn Silage

Sample and source description: Corn Silage

Sample date: 09/28/2023 Source of analysis: Lab analysis Method of reporting: As-is

Moisture: 68.2 %

| | Total N (mg/kg) | Total P (mg/kg) | Total K (mg/kg) | Total salt (mg/kg) | TFS (%) |
|---|---|---|---|---|---|
| **Value** | 6,370.00 | 790.00 | 7,160.00 | | 9.80 |
| **DL** | 100.00 | 100.00 | 100.00 | | 0.01 |

## Webster - 10/20/2022: Oats, silage-soft dough

### Forage

Sample and source description: Forage

Sample date: 05/02/2023 Source of analysis: Lab analysis Method of reporting: As-is

Moisture: 70.0 %

| | Total N (mg/kg) | Total P (mg/kg) | Total K (mg/kg) | Total salt (mg/kg) | TFS (%) |
|---|---|---|---|---|---|
| **Value** | 4,540.00 | 960.00 | 7,580.00 | | 9.50 |
| **DL** | 100.00 | 100.00 | 100.00 | | 0.01 |

Webster - 05/27/2023: Corn, silage

Corn Silage

Sample and source description: Corn Silage

Sample date: 09/15/2023 Source of analysis: Lab analysis Method of reporting: As-is

Moisture: 72.0 %

| | Total N (mg/kg) | Total P (mg/kg) | Total K (mg/kg) | Total salt (mg/kg) | TFS (%) |
|---|---|---|---|---|---|
| **Value** | 4,240.00 | 900.00 | 7,080.00 | | 9.50 |
| **DL** | 100.00 | 100.00 | 100.00 | | 0.01 |

## F. SUBSURFACE (TILE) DRAINAGE ANALYSES

*No subsurface (tile) drainage analyses entered.*

NUTRIENT APPLICATIONS, POTENTIAL REMOVAL, AND BALANCE

## A. SUMMARY OF NUTRIENT APPLICATIONS, POTENTIAL REMOVAL, AND BALANCE

| | Total N (lbs) | Total P (lbs) | Total K (lbs) | Total salt (lbs) |
|---|---|---|---|---|
| Existing soil nutrient content | 0.00 | 0.00 | 0.00 | 0.00 |
| Plowdown credit | 0.00 | 0.00 | 0.00 | 0.00 |
| Commercial fertilizer / Other | 0.00 | 0.00 | 0.00 | 0.00 |
| Dry manure | 35,138.30 | 11,887.49 | 6,999.55 | 1,029,022.68 |
| Process wastewater | 175,700.79 | 45,347.33 | 595,910.84 | 2,334,812.17 |
| Fresh water | 0.00 | 0.00 | 0.00 | 1,013,981.59 |
| Atmospheric deposition | 7,126.00 | 0.00 | 0.00 | 0.00 |
| Total nutrients applied | 217,965.09 | 57,234.82 | 602,910.39 | 4,377,816.44 |
| Anticipated crop nutrient removal | 171,710.00 | 29,784.20 | 144,460.80 | 0.00 |
| Actual crop nutrient removal | 182,321.76 | 39,016.18 | 278,837.14 | 989,669.24 |
| Nutrient balance | 35,643.33 | 18,218.64 | 324,073.25 | 3,388,147.20 |
| Applied to removed ratio | 1.20 | 1.47 | 2.16 | 4.42 |

## B. POUNDS OF NUTRIENT APPLIED VS. CROP REMOVAL

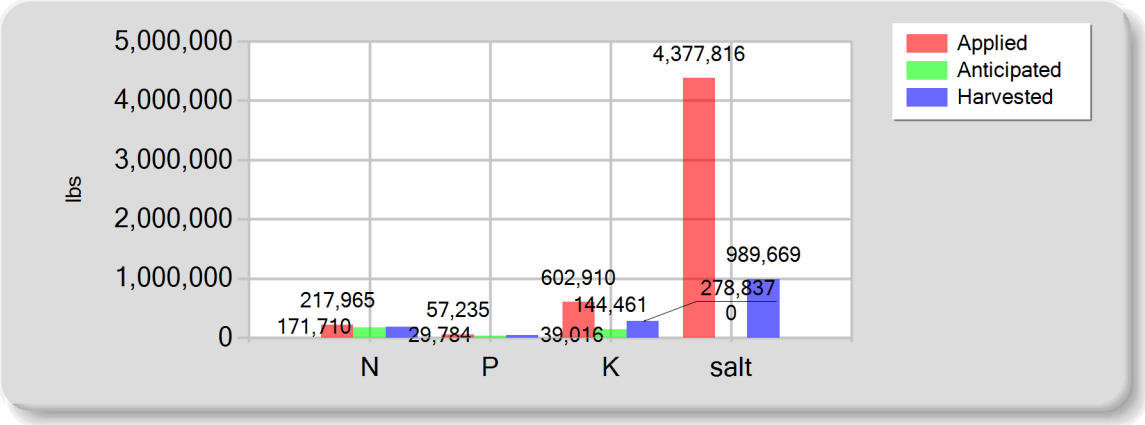

**C. POUNDS OF NUTRIENT APPLIED BY MATERIAL TYPE**

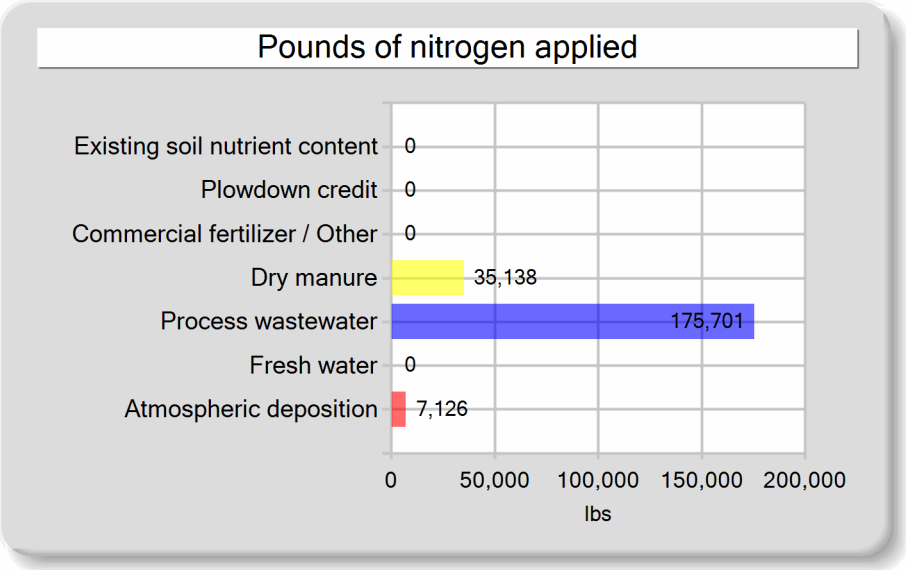


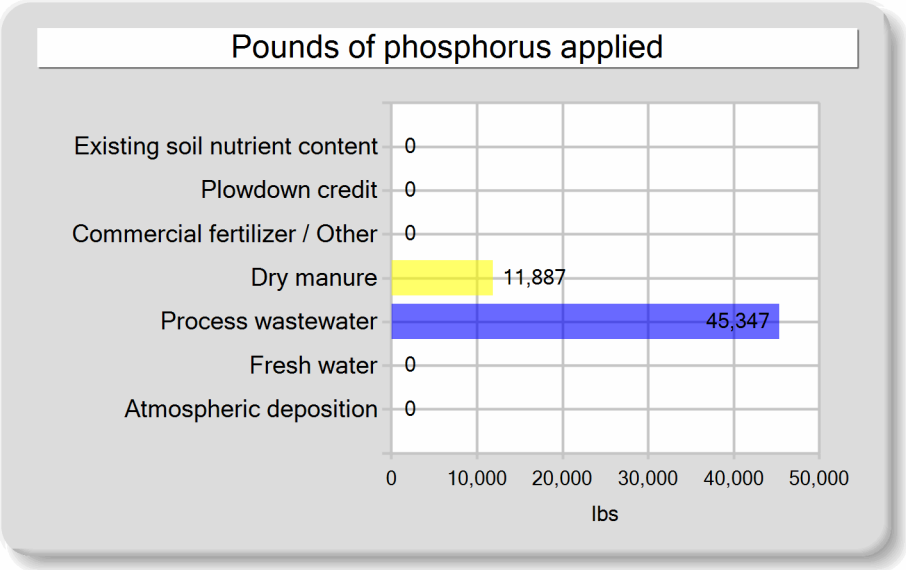


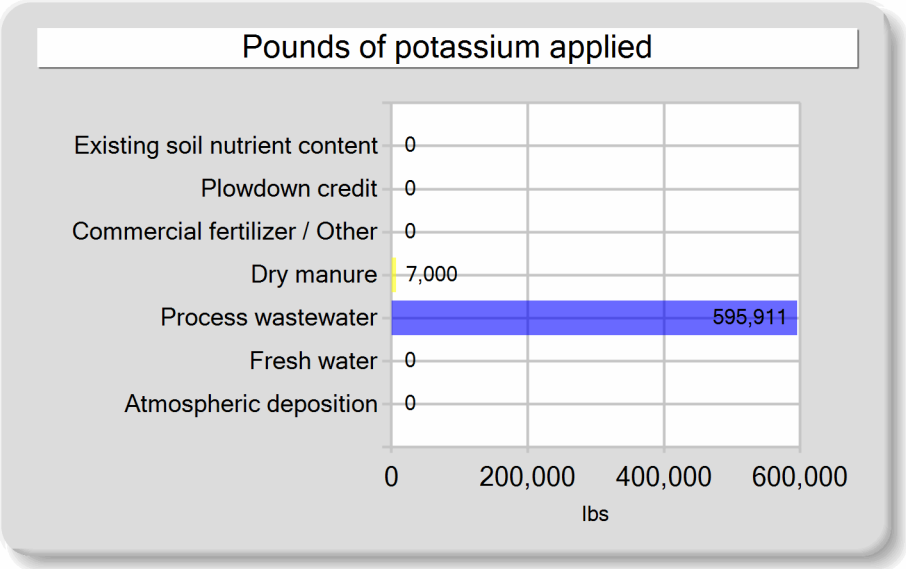


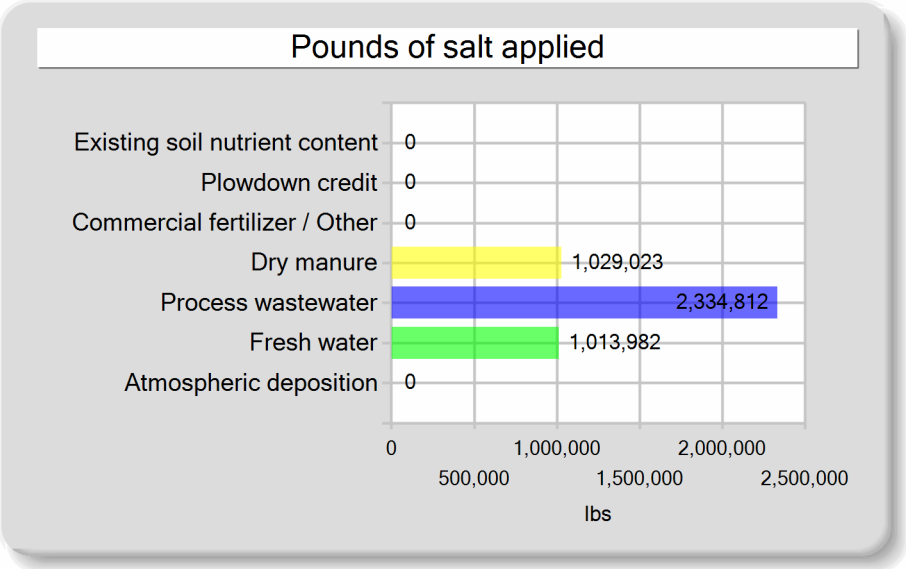

## EXCEPTION REPORTING

### A. MANURE, PROCESS WASTEWATER, AND OTHER DAIRY WASTE DISCHARGES

The following is a summary of all manure and process wastewater discharges from the production area to surface water or to land areas (land application areas or otherwise) when not in accordance with the facility's Nutrient Management Plan.

*No manure or process wastewater discharges occurred during the reporting period.*

### B. STORM WATER DISCHARGES

The following is a summary of all storm water discharges from the production area to surface water during the reporting period when not in accordance with the facility 's Nutrient Management Plan.

*No stormwater discharges occurred during the reporting period.*

### C. LAND APPLICATION AREA TO SURFACE WATER DISCHARGES

The following is a summary of all discharges from the land application area to surface water that have occurred during the reporting period when not in accordance with the facility's Nutrient Management Plan.

*No land application area to surface water discharges occurred during the reporting period.*

## NUTRIENT MANAGEMENT PLAN AND EXPORT AGREEMENT STATEMENTS

### A. NUTRIENT MANAGEMENT PLAN STATEMENTS

| | |
|---|---|
| Was the facility's NMP updated in the reporting period? | No |
| Was the facility's NMP developed by a certified nutrient management planner (specialist) as specified in Attachment C of the General Order? | Yes |
| Was the facility's NMP approved by a certified nutrient management planner (specialist) as specified in Attachment C of the General Order? | Yes |

### B. EXPORT AGREEMENT STATEMENT

| | |
|---|---|
| Are there any written agreements with third parties to receive manure or process wastewater that are new or were revised within the reporting period? | No |

ADDITIONAL NOTES

**A. NOTES**

*No notes entered for this annual report.*

CERTIFICATION

**A. OWNER AND/OR OPERATOR CERTIFICATION**

*I certify under penalty of law that I have personally examined and am familiar with the information submitted in this document and all attachments and that, based on my inquiry of those individuals immediately responsible for obtaining the information, I believe that the information is true, accurate, and complete. I am aware that there are significant penalties for submitting false information, including the possibility of fine and imprisonment.*

Susie Latter
Susie Latter (Jun 27, 2024 12:57 PDT)

| SIGNATURE OF OWNER OF FACILITY | SIGNATURE OF OPERATOR OF FACILITY |
|---|---|
| Susie Latter | SAME AS OWNER |
| PRINT OR TYPE NAME | PRINT OR TYPE NAME |
| Jun 27, 2024 | |
| DATE | DATE |

ATTACHMENTS

## A. REQUIRED ATTACHMENTS

The following lists the required documents that should be attached to the Annual Report when submitted .

| Annual Dairy Facility Assessment |
| --- |
| Provide an Annual Dairy Facility Assessment (an update to the Preliminary Dairy Facility Assessment in Attachment A ) for each reporting period. On the PDFA Final page, click on the ADFA Report button to generate an ADFA report after updating information as needed . |

| Manure/Process Wastewater Tracking Manifests |
| --- |
| Provide copies of all manure/process wastewater tracking manifests for the reporting period, signed by both the owner/operator and the hauler. |

| Corrective Actions Documents |
| --- |
| Provide records documenting any corrective actions taken to correct deficiencies noted as a result of the inspections required in the Monitoring Requirements of the General Order. Deficiencies not corrected in 30 days must be accompanied by an explanation of the factors preventing immediate correction. |

| Groundwater Monitoring |
| --- |
| Dischargers that monitor supply wells or subsurface (tile) drainage systems, or that have monitoring well systems must submit monitoring results as directed in the General Order, Groundwater Reporting Section starting on page MRP-13. |

| Storm Water Monitoring |
| --- |
| Dischargers that are required to monitor storm water more frequently than required in the General Order must submit monitoring results as directed in the General Order, Storm Water Reporting Section on page MRP-14. |

**Manure / Process Wastewater Tracking Manifest**
**For**
**Existing Milk Cow Dairies**

General Order No. R5-2007-0035, Attachment D

## INSTRUCTIONS

1) Complete one manifest for each hauling event, for each destination. A hauling event may last for several days, as long as the manure is being hauled to the same destination.
2) If there are multiple destinations, complete a separate form for each destination.
3) The operator must obtain the signature of the hauler upon completion of each manure/process wastewater hauling event.
4) The operator shall submit copies of manure/process wastewater tracking manifest(s) with the Annual Monitoring Report for Existing Milk Cow Dairies.

## OPERATOR INFORMATION

Name of Operator: Mark Latter

Name of Dairy Facility: G.J. Silva Dairy, Inc.

Facility Address:

| Number and Street | City | County | Zip Code |
|---|---|---|---|
| 3107 S Prairie Flower RD | Turlock | Stanislaus | 95380 |

Contact Person Name and Phone Number: Suzie Latter (209) 634-9091
Name Phone Number

## MANURE HAULER INFORMATION

Name of Hauling Company/Person: Joshua Holsapple Fertilizer Spreading

Address of Hauling Company/Person:

| Number and Street | City | State | Zip Code |
|---|---|---|---|
| 400 N Central Ave | Turlock | CA | 95380 |

Contact Person: Joshua Holsapple (209) 668-4727
Name Phone Number

## DESTINATION INFORMATION

Composting Facility / Broker / Farmer / Other (identify): Farmer

Contact information of Composting Facility, Broker, Farmer, or Other (as identified above):

Joshua Holsapple (209) 668-4727
Name Phone Number

| Address | City | State | Zip Code |
|---|---|---|---|
| 400 N Central Ave | Turlock | CA | 95380 |

Destination Address or Assessor's Parcel Number:

| Address | City | Zip Code |
|---|---|---|
| 400 N Central Ave | Turlock | 95380 |

Street and nearest cross street (if no address) Stanislaus County

Assessor's Parcel Number Assessor's Parcel Number County

Last date hauled: 01/11/2023

**Manure / Process Wastewater Tracking Manifest**
**For**
**Existing Milk Cow Dairies**

General Order No. R5-2007-0035, Attachment D

## MANURE AMOUNT HAULED

Enter the amount of manure hauled in tons, manure solids content, and the method used to calculate the amount:

Manure: 622.90 tons

Manure Solids Content: 26.7 %

Method used to determine amount of manure:

Hauler's Calculations

## CERTIFICATION

I declare under penalty of law that I personally examined and am familiar with the information submitted in this document, and that based on my inquiry of those individuals immediately responsible for obtaining the information, I believe that the information is true , accurate, and complete. I am aware that there are significant penalties for submitting false information, including the possibility of a fine and imprisonment for knowing violations.

Susie Latter
Susie Latter (Jun 27, 2024 12:57 PDT)

Jun 27, 2024

Operator Signature | Date

Joshua Holsapple

Hauler Signature | Date

**Manure / Process Wastewater Tracking Manifest**
**For**
**Existing Milk Cow Dairies**

General Order No. R5-2007-0035, Attachment D

## INSTRUCTIONS

1) Complete one manifest for each hauling event, for each destination. A hauling event may last for several days, as long as the manure is being hauled to the same destination.
2) If there are multiple destinations, complete a separate form for each destination.
3) The operator must obtain the signature of the hauler upon completion of each manure/process wastewater hauling event.
4) The operator shall submit copies of manure/process wastewater tracking manifest(s) with the Annual Monitoring Report for Existing Milk Cow Dairies.

## OPERATOR INFORMATION

Name of Operator: Mark Latter

Name of Dairy Facility: G.J. Silva Dairy, Inc.

Facility Address:

| Number and Street | City | County | Zip Code |
|---|---|---|---|
| 3107 S Prairie Flower RD | Turlock | Stanislaus | 95380 |

Contact Person Name and Phone Number: Susie Latter (209) 634-9091
Name Phone Number

## MANURE HAULER INFORMATION

Name of Hauling Company/Person: Joshua Holsapple Fertilizer Spreading

Address of Hauling Company/Person:

| Number and Street | City | State | Zip Code |
|---|---|---|---|
| 400 N Central Ave | Turlock | CA | 95380 |

Contact Person: Joshua Holsapple (209) 668-4727
Name Phone Number

## DESTINATION INFORMATION

Composting Facility / Broker / Farmer / Other (identify): Farmer

Contact information of Composting Facility, Broker, Farmer, or Other (as identified above):

Joshua Holsapple (209) 668-4727
Name Phone Number

| Address | City | State | Zip Code |
|---|---|---|---|
| 400 N Central Ave | Turlock | CA | 95380 |

Destination Address or Assessor's Parcel Number:

| Address | City | Zip Code |
|---|---|---|
| 400 N Central Ave | Turlock | 95380 |

Street and nearest cross street (if no address) Stanislaus County

Assessor's Parcel Number Assessor's Parcel Number County

Last date hauled: 02/14/2023

**Manure / Process Wastewater Tracking Manifest**
**For**
**Existing Milk Cow Dairies**

General Order No. R5-2007-0035, Attachment D

## MANURE AMOUNT HAULED

Enter the amount of manure hauled in tons, manure solids content, and the method used to calculate the amount:

Manure: 206.70 tons

Manure Solids Content: 26.7 %

Method used to determine amount of manure:

Hauler's Calculations

## CERTIFICATION

I declare under penalty of law that I personally examined and am familiar with the information submitted in this document, and that based on my inquiry of those individuals immediately responsible for obtaining the information, I believe that the information is true , accurate, and complete. I am aware that there are significant penalties for submitting false information, including the possibility of a fine and imprisonment for knowing violations.

Susie Latter
Susie Latter (Jun 27, 2024 12:57 PDT)

Jun 27, 2024

Operator Signature | Date

Joshua Holsapple

Hauler Signature | Date

**Manure / Process Wastewater Tracking Manifest**
**For**
**Existing Milk Cow Dairies**

General Order No. R5-2007-0035, Attachment D

## INSTRUCTIONS

1) Complete one manifest for each hauling event, for each destination. A hauling event may last for several days, as long as the manure is being hauled to the same destination.
2) If there are multiple destinations, complete a separate form for each destination.
3) The operator must obtain the signature of the hauler upon completion of each manure/process wastewater hauling event.
4) The operator shall submit copies of manure/process wastewater tracking manifest(s) with the Annual Monitoring Report for Existing Milk Cow Dairies.

## OPERATOR INFORMATION

Name of Operator: Mark Latter

Name of Dairy Facility: G.J. Silva Dairy, Inc.

Facility Address:

| Number and Street | City | County | Zip Code |
|---|---|---|---|
| 3107 S Prairie Flower RD | Turlock | Stanislaus | 95380 |

Contact Person Name and Phone Number: Susie Latter (209) 634-9091
Name Phone Number

## MANURE HAULER INFORMATION

Name of Hauling Company/Person: Joshua Holsapple Fertilizer Spreading

Address of Hauling Company/Person:

| Number and Street | City | State | Zip Code |
|---|---|---|---|
| 400 N Central Ave | Turlock | CA | 95380 |

Contact Person: Joshua Holsapple (209) 668-4727
Name Phone Number

## DESTINATION INFORMATION

Composting Facility / Broker / Farmer / Other (identify): Farmer

Contact information of Composting Facility, Broker, Farmer, or Other (as identified above):

Joshua Holsapple (209) 668-4727
Name Phone Number

| Address | City | State | Zip Code |
|---|---|---|---|
| 400 N Central Ave | Turlock | CA | 95380 |

Destination Address or Assessor's Parcel Number:

| Address | City | Zip Code |
|---|---|---|
| 400 N Central Ave | Turlock | 95380 |

Street and nearest cross street (if no address) Stanislaus County

Assessor's Parcel Number Assessor's Parcel Number County

Last date hauled: 04/06/2023

**Manure / Process Wastewater Tracking Manifest**
**For**
**Existing Milk Cow Dairies**

General Order No. R5-2007-0035, Attachment D

## MANURE AMOUNT HAULED

Enter the amount of manure hauled in tons, manure solids content, and the method used to calculate the amount:

Manure: 490.00 tons

Manure Solids Content: 65.9 %

Method used to determine amount of manure:

Hauler's Calculations

## CERTIFICATION

I declare under penalty of law that I personally examined and am familiar with the information submitted in this document, and that based on my inquiry of those individuals immediately responsible for obtaining the information, I believe that the information is true , accurate, and complete. I am aware that there are significant penalties for submitting false information, including the possibility of a fine and imprisonment for knowing violations.

Susie Latter
Susie Latter (Jun 27, 2024 12:57 PDT)

Jun 27, 2024

Operator Signature | Date

Joshua Holsapple

Hauler Signature | Date

**Manure / Process Wastewater Tracking Manifest**
**For**
**Existing Milk Cow Dairies**

General Order No. R5-2007-0035, Attachment D

## INSTRUCTIONS

1) Complete one manifest for each hauling event, for each destination. A hauling event may last for several days, as long as the manure is being hauled to the same destination.
2) If there are multiple destinations, complete a separate form for each destination.
3) The operator must obtain the signature of the hauler upon completion of each manure/process wastewater hauling event.
4) The operator shall submit copies of manure/process wastewater tracking manifest(s) with the Annual Monitoring Report for Existing Milk Cow Dairies.

## OPERATOR INFORMATION

Name of Operator: Mark Latter

Name of Dairy Facility: G.J. Silva Dairy, Inc.

Facility Address:

| 3107 S Prairie Flower RD | Turlock | Stanislaus | 95380 |
|---|---|---|---|
| Number and Street | City | County | Zip Code |

Contact Person Name and Phone Number: Susie Latter (209) 634-9091
Name Phone Number

## MANURE HAULER INFORMATION

Name of Hauling Company/Person: Joshua Holsapple Fertilizer Spreading

Address of Hauling Company/Person:

| 400 N Central Ave | Turlock | CA | 95380 |
|---|---|---|---|
| Number and Street | City | State | Zip Code |

Contact Person: Joshua Holsapple (209) 668-4727
Name Phone Number

## DESTINATION INFORMATION

Composting Facility / Broker / Farmer / Other (identify): Farmer

Contact information of Composting Facility, Broker, Farmer, or Other (as identified above):

Joshua Holsapple (209) 668-4727
Name Phone Number

| 400 N Central Ave | Turlock | CA | 95380 |
|---|---|---|---|
| Address | City | State | Zip Code |

Destination Address or Assessor's Parcel Number:

| 400 N Central Ave | Turlock | 95380 |
|---|---|---|
| Address | City | Zip Code |

Stanislaus
Street and nearest cross street (if no address) County

Assessor's Parcel Number Assessor's Parcel Number County

Last date hauled: 05/01/2023

**Manure / Process Wastewater Tracking Manifest**
**For**
**Existing Milk Cow Dairies**

General Order No. R5-2007-0035, Attachment D

## MANURE AMOUNT HAULED

Enter the amount of manure hauled in tons, manure solids content, and the method used to calculate the amount:

Manure: 553.30 tons

Manure Solids Content: 65.9 %

Method used to determine amount of manure:

Hauler's Calculations

## CERTIFICATION

I declare under penalty of law that I personally examined and am familiar with the information submitted in this document, and that based on my inquiry of those individuals immediately responsible for obtaining the information, I believe that the information is true , accurate, and complete. I am aware that there are significant penalties for submitting false information, including the possibility of a fine and imprisonment for knowing violations.

Susie Latter
Susie Latter (Jun 27, 2024 12:57 PDT)

Jun 27, 2024

Operator Signature | Date

Joshua Holsapple

Hauler Signature | Date

**Manure / Process Wastewater Tracking Manifest**
**For**
**Existing Milk Cow Dairies**

General Order No. R5-2007-0035, Attachment D

## INSTRUCTIONS

1) Complete one manifest for each hauling event, for each destination. A hauling event may last for several days, as long as the manure is being hauled to the same destination.
2) If there are multiple destinations, complete a separate form for each destination.
3) The operator must obtain the signature of the hauler upon completion of each manure/process wastewater hauling event.
4) The operator shall submit copies of manure/process wastewater tracking manifest(s) with the Annual Monitoring Report for Existing Milk Cow Dairies.

## OPERATOR INFORMATION

Name of Operator: Mark Latter

Name of Dairy Facility: G.J. Silva Dairy, Inc.

Facility Address:

| 3107 S Prairie Flower RD | Turlock | Stanislaus | 95380 |
|---|---|---|---|
| Number and Street | City | County | Zip Code |

Contact Person Name and Phone Number: Susie Latter (209) 634-9091
Name Phone Number

## MANURE HAULER INFORMATION

Name of Hauling Company/Person: Joshua Holsapple Fertilizer Spreading

Address of Hauling Company/Person:

| 400 N Central Ave | Turlock | CA | 95380 |
|---|---|---|---|
| Number and Street | City | State | Zip Code |

Contact Person: Joshua Holsapple (209) 668-4727
Name Phone Number

## DESTINATION INFORMATION

Composting Facility / Broker / Farmer / Other (identify): Farmer

Contact information of Composting Facility, Broker, Farmer, or Other (as identified above):

Joshua Holsapple (209) 668-4727
Name Phone Number

| 400 N Central Ave | Turlock | CA | 95380 |
|---|---|---|---|
| Address | City | State | Zip Code |

Destination Address or Assessor's Parcel Number:

| 400 N Central Ave | Turlock | 95380 |
|---|---|---|
| Address | City | Zip Code |

Stanislaus
Street and nearest cross street (if no address) County

Assessor's Parcel Number Assessor's Parcel Number County

Last date hauled: 06/08/2023

**Manure / Process Wastewater Tracking Manifest**
**For**
**Existing Milk Cow Dairies**

General Order No. R5-2007-0035, Attachment D

## MANURE AMOUNT HAULED

Enter the amount of manure hauled in tons, manure solids content, and the method used to calculate the amount:

Manure: 557.00 tons

Manure Solids Content: 26.7 %

Method used to determine amount of manure:

Hauler's Calculations

## CERTIFICATION

I declare under penalty of law that I personally examined and am familiar with the information submitted in this document, and that based on my inquiry of those individuals immediately responsible for obtaining the information, I believe that the information is true , accurate, and complete. I am aware that there are significant penalties for submitting false information, including the possibility of a fine and imprisonment for knowing violations.

Susie Latter — Jun 27, 2024

Susie Latter (Jun 27, 2024 12:57 PDT)

Operator Signature — Date

Joshua Holsapple

Hauler Signature — Date

**Manure / Process Wastewater Tracking Manifest**
**For**
**Existing Milk Cow Dairies**

General Order No. R5-2007-0035, Attachment D

## INSTRUCTIONS

1) Complete one manifest for each hauling event, for each destination. A hauling event may last for several days, as long as the manure is being hauled to the same destination.
2) If there are multiple destinations, complete a separate form for each destination.
3) The operator must obtain the signature of the hauler upon completion of each manure/process wastewater hauling event.
4) The operator shall submit copies of manure/process wastewater tracking manifest(s) with the Annual Monitoring Report for Existing Milk Cow Dairies.

## OPERATOR INFORMATION

Name of Operator: Mark Latter

Name of Dairy Facility: G.J. Silva Dairy, Inc.

Facility Address:

| Number and Street | City | County | Zip Code |
|---|---|---|---|
| 3107 S Prairie Flower RD | Turlock | Stanislaus | 95380 |

Contact Person Name and Phone Number: Susie Latter (209) 634-9091
Name Phone Number

## MANURE HAULER INFORMATION

Name of Hauling Company/Person: Joshua Holsapple Fertilizer Spreading

Address of Hauling Company/Person:

| Number and Street | City | State | Zip Code |
|---|---|---|---|
| 400 N Central Ave | Turlock | CA | 95380 |

Contact Person: Joshua Holsapple (209) 668-4727
Name Phone Number

## DESTINATION INFORMATION

Composting Facility / Broker / Farmer / Other (identify): Farmer

Contact information of Composting Facility, Broker, Farmer, or Other (as identified above):

Joshua Holsapple (209) 668-4727
Name Phone Number

| Address | City | State | Zip Code |
|---|---|---|---|
| 400 N Central Ave | Turlock | CA | 95380 |

Destination Address or Assessor's Parcel Number:

| Address | City | Zip Code |
|---|---|---|
| 400 N Central Ave | Turlock | 95380 |

Street and nearest cross street (if no address) Stanislaus County

Assessor's Parcel Number Assessor's Parcel Number County

Last date hauled: 07/05/2023

**Manure / Process Wastewater Tracking Manifest**
**For**
**Existing Milk Cow Dairies**

General Order No. R5-2007-0035, Attachment D

## MANURE AMOUNT HAULED

Enter the amount of manure hauled in tons, manure solids content, and the method used to calculate the amount:

Manure: 1,014.90 tons

Manure Solids Content: 33.2 %

Method used to determine amount of manure:

Hauler's Calculations

## CERTIFICATION

I declare under penalty of law that I personally examined and am familiar with the information submitted in this document, and that based on my inquiry of those individuals immediately responsible for obtaining the information, I believe that the information is true , accurate, and complete. I am aware that there are significant penalties for submitting false information, including the possibility of a fine and imprisonment for knowing violations.

Susie Latter
Susie Latter (Jun 27, 2024 12:57 PDT)

Jun 27, 2024

Operator Signature | Date

Joshua Holsapple

Hauler Signature | Date

**Manure / Process Wastewater Tracking Manifest**
**For**
**Existing Milk Cow Dairies**

General Order No. R5-2007-0035, Attachment D

## INSTRUCTIONS

1) Complete one manifest for each hauling event, for each destination. A hauling event may last for several days, as long as the manure is being hauled to the same destination.
2) If there are multiple destinations, complete a separate form for each destination.
3) The operator must obtain the signature of the hauler upon completion of each manure/process wastewater hauling event.
4) The operator shall submit copies of manure/process wastewater tracking manifest(s) with the Annual Monitoring Report for Existing Milk Cow Dairies.

## OPERATOR INFORMATION

Name of Operator: Mark Latter

Name of Dairy Facility: G.J. Silva Dairy, Inc.

Facility Address:

| Number and Street | City | County | Zip Code |
|---|---|---|---|
| 3107 S Prairie Flower RD | Turlock | Stanislaus | 95380 |

Contact Person Name and Phone Number: Susie Latter (209) 634-9091
Name Phone Number

## MANURE HAULER INFORMATION

Name of Hauling Company/Person: Joshua Holsapple Fertilizer Spreading

Address of Hauling Company/Person:

| Number and Street | City | State | Zip Code |
|---|---|---|---|
| 400 N Central Ave | Turlock | CA | 95380 |

Contact Person: Joshua Holsapple (209) 668-4727
Name Phone Number

## DESTINATION INFORMATION

Composting Facility / Broker / Farmer / Other (identify): Farmer

Contact information of Composting Facility, Broker, Farmer, or Other (as identified above):

Joshua Holsapple (209) 668-4727
Name Phone Number

| Address | City | State | Zip Code |
|---|---|---|---|
| 400 N Central Ave | Turlock | CA | 95380 |

Destination Address or Assessor's Parcel Number:

| Address | City | Zip Code |
|---|---|---|
| 400 N Central Ave | Turlock | 95380 |

Street and nearest cross street (if no address) Stanislaus County

Assessor's Parcel Number Assessor's Parcel Number County

Last date hauled: 08/02/2023

**Manure / Process Wastewater Tracking Manifest**
**For**
**Existing Milk Cow Dairies**

General Order No. R5-2007-0035, Attachment D

## MANURE AMOUNT HAULED

Enter the amount of manure hauled in tons, manure solids content, and the method used to calculate the amount:

Manure: 767.10 tons

Manure Solids Content: 33.2 %

Method used to determine amount of manure:

Hauler's Calculations

## CERTIFICATION

I declare under penalty of law that I personally examined and am familiar with the information submitted in this document, and that based on my inquiry of those individuals immediately responsible for obtaining the information, I believe that the information is true , accurate, and complete. I am aware that there are significant penalties for submitting false information, including the possibility of a fine and imprisonment for knowing violations.

Susie Latter
Susie Latter (Jun 27, 2024 12:57 PDT)

Operator Signature — Date: Jun 27, 2024

Joshua Holsapple

Hauler Signature — Date

**Manure / Process Wastewater Tracking Manifest**
**For**
**Existing Milk Cow Dairies**

General Order No. R5-2007-0035, Attachment D

## INSTRUCTIONS

1) Complete one manifest for each hauling event, for each destination. A hauling event may last for several days, as long as the manure is being hauled to the same destination.
2) If there are multiple destinations, complete a separate form for each destination.
3) The operator must obtain the signature of the hauler upon completion of each manure/process wastewater hauling event.
4) The operator shall submit copies of manure/process wastewater tracking manifest(s) with the Annual Monitoring Report for Existing Milk Cow Dairies.

## OPERATOR INFORMATION

Name of Operator: Mark Latter

Name of Dairy Facility: G.J. Silva Dairy, Inc.

Facility Address:

| Number and Street | City | County | Zip Code |
|---|---|---|---|
| 3107 S Prairie Flower RD | Turlock | Stanislaus | 95380 |

Contact Person Name and Phone Number: Susie Latter (209) 634-9091
Name Phone Number

## MANURE HAULER INFORMATION

Name of Hauling Company/Person: Joshua Holsapple Fertilizer Spreading

Address of Hauling Company/Person:

| Number and Street | City | State | Zip Code |
|---|---|---|---|
| 400 N Central Ave | Turlock | CA | 95380 |

Contact Person: Joshua Holsapple (209) 668-4727
Name Phone Number

## DESTINATION INFORMATION

Composting Facility / Broker / Farmer / Other (identify): Farmer

Contact information of Composting Facility, Broker, Farmer, or Other (as identified above):

Joshua Holsapple (209) 668-4727
Name Phone Number

| Address | City | State | Zip Code |
|---|---|---|---|
| 400 N Central Ave | Turlock | CA | 95380 |

Destination Address or Assessor's Parcel Number:

| Address | City | Zip Code |
|---|---|---|
| 400 N Central Ave | Turlock | 95380 |

Street and nearest cross street (if no address) Stanislaus County

Assessor's Parcel Number Assessor's Parcel Number County

Last date hauled: 09/01/2023

**Manure / Process Wastewater Tracking Manifest**
**For**
**Existing Milk Cow Dairies**

General Order No. R5-2007-0035, Attachment D

## MANURE AMOUNT HAULED

Enter the amount of manure hauled in tons, manure solids content, and the method used to calculate the amount:

Manure: 588.30 tons

Manure Solids Content: 69.5 %

Method used to determine amount of manure:

Hauler's Calculations

## CERTIFICATION

I declare under penalty of law that I personally examined and am familiar with the information submitted in this document, and that based on my inquiry of those individuals immediately responsible for obtaining the information, I believe that the information is true , accurate, and complete. I am aware that there are significant penalties for submitting false information, including the possibility of a fine and imprisonment for knowing violations.

Susie Latter
Susie Latter (Jun 27, 2024 12:57 PDT)

Operator Signature — Date: Jun 27, 2024

Joshua Holsapple

Hauler Signature — Date

**Manure / Process Wastewater Tracking Manifest**
**For**
**Existing Milk Cow Dairies**

General Order No. R5-2007-0035, Attachment D

## INSTRUCTIONS

1) Complete one manifest for each hauling event, for each destination. A hauling event may last for several days, as long as the manure is being hauled to the same destination.
2) If there are multiple destinations, complete a separate form for each destination.
3) The operator must obtain the signature of the hauler upon completion of each manure/process wastewater hauling event.
4) The operator shall submit copies of manure/process wastewater tracking manifest(s) with the Annual Monitoring Report for Existing Milk Cow Dairies.

## OPERATOR INFORMATION

Name of Operator: Mark Latter

Name of Dairy Facility: G.J. Silva Dairy, Inc.

Facility Address:

| Number and Street | City | County | Zip Code |
|---|---|---|---|
| 3107 S Prairie Flower RD | Turlock | Stanislaus | 95380 |

Contact Person Name and Phone Number: Susie Latter (209) 634-9091
Name Phone Number

## MANURE HAULER INFORMATION

Name of Hauling Company/Person: Joshua Holsapple Fertilizer Spreading

Address of Hauling Company/Person:

| Number and Street | City | State | Zip Code |
|---|---|---|---|
| 400 N Central Ave | Turlock | CA | 95380 |

Contact Person: Joshua Holsapple (209) 668-4727
Name Phone Number

## DESTINATION INFORMATION

Composting Facility / Broker / Farmer / Other (identify): Farmer

Contact information of Composting Facility, Broker, Farmer, or Other (as identified above):

Joshua Holsapple (209) 668-4727
Name Phone Number

| Address | City | State | Zip Code |
|---|---|---|---|
| 400 N Central Ave | Turlock | CA | 95380 |

Destination Address or Assessor's Parcel Number:

| Address | City | Zip Code |
|---|---|---|
| 400 N Central Ave | Turlock | 95380 |

Street and nearest cross street (if no address) Stanislaus County

Assessor's Parcel Number Assessor's Parcel Number County

Last date hauled: 10/06/2023

**Manure / Process Wastewater Tracking Manifest**
**For**
**Existing Milk Cow Dairies**

General Order No. R5-2007-0035, Attachment D

## MANURE AMOUNT HAULED

Enter the amount of manure hauled in tons, manure solids content, and the method used to calculate the amount:

Manure: 325.70 tons

Manure Solids Content: 69.5 %

Method used to determine amount of manure:

Hauler's Calculations

## CERTIFICATION

I declare under penalty of law that I personally examined and am familiar with the information submitted in this document, and that based on my inquiry of those individuals immediately responsible for obtaining the information, I believe that the information is true , accurate, and complete. I am aware that there are significant penalties for submitting false information, including the possibility of a fine and imprisonment for knowing violations.

Susie Latter
Susie Latter (Jun 27, 2024 12:57 PDT)

Jun 27, 2024

Operator Signature | Date

Joshua Holsapple

Hauler Signature | Date

**Manure / Process Wastewater Tracking Manifest**
**For**
**Existing Milk Cow Dairies**

General Order No. R5-2007-0035, Attachment D

## INSTRUCTIONS

1) Complete one manifest for each hauling event, for each destination. A hauling event may last for several days, as long as the manure is being hauled to the same destination.
2) If there are multiple destinations, complete a separate form for each destination.
3) The operator must obtain the signature of the hauler upon completion of each manure/process wastewater hauling event.
4) The operator shall submit copies of manure/process wastewater tracking manifest(s) with the Annual Monitoring Report for Existing Milk Cow Dairies.

## OPERATOR INFORMATION

Name of Operator: Mark Latter

Name of Dairy Facility: G.J. Silva Dairy, Inc.

Facility Address:

| 3107 S Prairie Flower RD | Turlock | Stanislaus | 95380 |
|---|---|---|---|
| Number and Street | City | County | Zip Code |

Contact Person Name and Phone Number: Susie Latter (209) 634-9091
Name Phone Number

## MANURE HAULER INFORMATION

Name of Hauling Company/Person: Joshua Holsapple Fertilizer Spreading

Address of Hauling Company/Person:

| 400 N Central Ave | Turlock | CA | 95380 |
|---|---|---|---|
| Number and Street | City | State | Zip Code |

Contact Person: Joshua Holsapple (209) 668-4727
Name Phone Number

## DESTINATION INFORMATION

Composting Facility / Broker / Farmer / Other (identify): Farmer

Contact information of Composting Facility, Broker, Farmer, or Other (as identified above):

Joshua Holsapple (209) 668-4727
Name Phone Number

| 400 N Central Ave | Turlock | CA | 95380 |
|---|---|---|---|
| Address | City | State | Zip Code |

Destination Address or Assessor's Parcel Number:

| 400 N Central Ave | Turlock | 95380 |
|---|---|---|
| Address | City | Zip Code |

Stanislaus
Street and nearest cross street (if no address) County

Assessor's Parcel Number Assessor's Parcel Number County

Last date hauled: 11/02/2023

**Manure / Process Wastewater Tracking Manifest**
**For**
**Existing Milk Cow Dairies**

General Order No. R5-2007-0035, Attachment D

## MANURE AMOUNT HAULED

Enter the amount of manure hauled in tons, manure solids content, and the method used to calculate the amount:

Manure: 3,847.90 tons

Manure Solids Content: 33.2 %

Method used to determine amount of manure:

Hauler's Calculations

## CERTIFICATION

I declare under penalty of law that I personally examined and am familiar with the information submitted in this document, and that based on my inquiry of those individuals immediately responsible for obtaining the information, I believe that the information is true , accurate, and complete. I am aware that there are significant penalties for submitting false information, including the possibility of a fine and imprisonment for knowing violations.

Susie Latter
Susie Latter (Jun 27, 2024 12:57 PDT)

Jun 27, 2024

Operator Signature | Date

Joshua Holsapple

Hauler Signature | Date

**Manure / Process Wastewater Tracking Manifest**
**For**
**Existing Milk Cow Dairies**

General Order No. R5-2007-0035, Attachment D

## INSTRUCTIONS

1) Complete one manifest for each hauling event, for each destination. A hauling event may last for several days, as long as the manure is being hauled to the same destination.
2) If there are multiple destinations, complete a separate form for each destination.
3) The operator must obtain the signature of the hauler upon completion of each manure/process wastewater hauling event.
4) The operator shall submit copies of manure/process wastewater tracking manifest(s) with the Annual Monitoring Report for Existing Milk Cow Dairies.

## OPERATOR INFORMATION

Name of Operator: Mark Latter

Name of Dairy Facility: G.J. Silva Dairy, Inc.

Facility Address:

| Number and Street | City | County | Zip Code |
|---|---|---|---|
| 3107 S Prairie Flower RD | Turlock | Stanislaus | 95380 |

Contact Person Name and Phone Number: Susie Latter (209) 634-9091
Name Phone Number

## MANURE HAULER INFORMATION

Name of Hauling Company/Person: Joshua Holsapple Fertilizer Spreading

Address of Hauling Company/Person:

| Number and Street | City | State | Zip Code |
|---|---|---|---|
| 400 N Central Ave | Turlock | CA | 95380 |

Contact Person: Joshua Holsapple (209) 668-4727
Name Phone Number

## DESTINATION INFORMATION

Composting Facility / Broker / Farmer / Other (identify): Farmer

Contact information of Composting Facility, Broker, Farmer, or Other (as identified above):

Joshua Holsapple (209) 668-4727
Name Phone Number

| Address | City | State | Zip Code |
|---|---|---|---|
| 400 N Central Ave | Turlock | CA | 95380 |

Destination Address or Assessor's Parcel Number:

| Address | City | Zip Code |
|---|---|---|
| 400 N Central Ave | Turlock | 95380 |

Street and nearest cross street (if no address) Stanislaus County

Assessor's Parcel Number Assessor's Parcel Number County

Last date hauled: 12/01/2023

**Manure / Process Wastewater Tracking Manifest**
**For**
**Existing Milk Cow Dairies**

General Order No. R5-2007-0035, Attachment D

## MANURE AMOUNT HAULED

Enter the amount of manure hauled in tons, manure solids content, and the method used to calculate the amount:

Manure: 329.30 tons

Manure Solids Content: 33.2 %

Method used to determine amount of manure:

Hauler's Calculations

## CERTIFICATION

I declare under penalty of law that I personally examined and am familiar with the information submitted in this document, and that based on my inquiry of those individuals immediately responsible for obtaining the information, I believe that the information is true , accurate, and complete. I am aware that there are significant penalties for submitting false information, including the possibility of a fine and imprisonment for knowing violations.

Susie Latter
Susie Latter (Jun 27, 2024 12:57 PDT)

Jun 27, 2024

Operator Signature | Date

Joshua Holsapple

Hauler Signature | Date

**Denele Analytical, Inc.**

865 South Kilroy Avenue Turlock, CA 95380
Phone (209) 634-9055 - Fax (209) 634-9057

www.denelelabs.com

40 N. East Street, Woodland, CA 95776
Phone (530) 666-9056 - Fax (530) 666-9058

# Compliance Analysis Report

**Customer**
G.J. Silva Dairy
3107 S. Prairie Flower Rd.
Turlock, CA 95380

**Grower**

**Consultant:**
F & R Ag Services
2857 Geer Rd. Ste A
Turlock, CA 95382

PURCHASE ORDER:
RECEIVED DATE: 12/9/22 1:00 PM
SUBMITTED BY: Mark
ANALYZED DATE: 12/14/22

Irrigation/ Ground Water (H1)
SOURCE: Well Water

NOTES: Temperature was above qualifying at 20.6c

| Sample ID | Lab ID | Analyte | Method Ref | Result | Units |
|---|---|---|---|---|---|
| DW #1 Bathroom | T2343008A | Electrical Conductivity (EC) | EPA 120.1 and | 1.45 | mmhos/cm |
| | | Nitrate Nitrogen (NO3-N) | EPA 353.2 | 44.9 | mg/L |
| | | Ammonia Nitrogen (NH3-N) | SM 4500-NH3 D,C | < 0.500 | mg/L |
| | | Soluble Salts (SALT-SOL) | Calculation | 927 | mg/L |

| Laboratory Quality Control | LCS % | MS % | MSD % | RPD % |
|---|---|---|---|---|
| Ammonia Nitrogen (NH3-N) | 105 | 95.8 (T2342007A) | 98.8 (T2342007A) | 3.08 |
| Electrical Conductivity (EC) | 102 | | | 0.701 |
| Nitrate Nitrogen (NO3-N) | 99.4 | 103 (T2342006B) | 104 (T2342006B) | 0.658 |

The warranty of Denele Analytical is limited to the accuracy of the analyses of the samples as received. Denele Analytical assumes no responsibility for which the customer uses our test results, nor liability for any other warranties, express or implied. These terms and conditions shall supercede any conflicting terms and conditions submitted on customer purchase orders or other forms submitted for work.



ELAP Certificate No.: 2714

**Denele Analytical, Inc.**

865 South Kilroy Avenue Turlock, CA 95380
Phone (209) 634-9055 - Fax (209) 634-9057

40 N. East Street, Woodland, CA 95776
Phone (530) 666-9056 - Fax (530) 666-9058

www.denelelabs.com

# Compliance Analysis Report

**Customer**
G.J. Silva Dairy
3107 S. Prairie Flower Rd.
Turlock, CA 95380

**Grower**

**Consultant:**
F & R Ag Services
2857 Geer Rd. Ste A
Turlock, CA 95382

PURCHASE ORDER:
RECEIVED DATE: 12/9/22 1:00 PM
SUBMITTED BY: Mark
ANALYZED DATE: 12/14/22

Irrigation/ Ground Water (H1)
SOURCE: Well Water

NOTES: Temperature was above qualifying at 19.8c

| Sample ID | Lab ID | Analyte | Method Ref | Result | Units |
|---|---|---|---|---|---|
| DW #2 Pressure Tanks | T2343008B | Electrical Conductivity (EC) | EPA 120.1 and | 1.46 | mmhos/cm |
| | | Nitrate Nitrogen (NO3-N) | EPA 353.2 | 46.8 | mg/L |
| | | Ammonia Nitrogen (NH3-N) | SM 4500-NH3 D,C | < 0.500 | mg/L |
| | | Soluble Salts (SALT-SOL) | Calculation | 933 | mg/L |

| Laboratory Quality Control | LCS % | MS % | MSD % | RPD % |
|---|---|---|---|---|
| Ammonia Nitrogen (NH3-N) | 105 | 95.8 (T2342007A) | 98.8 (T2342007A) | 3.08 |
| Electrical Conductivity (EC) | 102 | | | 0.701 |
| Nitrate Nitrogen (NO3-N) | 99.4 | 103 (T2342006B) | 104 (T2342006B) | 0.658 |

The warranty of Denele Analytical is limited to the accuracy of the analyses of the samples as received. Denele Analytical assumes no responsibility for which the customer uses our test results, nor liability for any other warranties, express or implied. These terms and conditions shall supercede any conflicting terms and conditions submitted on customer purchase orders or other forms submitted for work.



ELAP Certificate No.: 2714

**Denele Analytical, Inc.**

865 South Kilroy Avenue Turlock, CA 95380
Phone (209) 634-9055 - Fax (209) 634-9057

www.denelelabs.com

40 N. East Street, Woodland, CA 95776
Phone (530) 666-9056 - Fax (530) 666-9058

# Compliance Analysis Report

**Customer**
G.J. Silva Dairy
3107 S. Prairie Flower Rd.
Turlock, CA 95380

**Grower**

**Consultant:**
F & R Ag Services
2857 Geer Rd. Ste A
Turlock, CA 95382

PURCHASE ORDER:
RECEIVED DATE: 12/9/22 1:00 PM
SUBMITTED BY: Mark
ANALYZED DATE: 12/14/22

Irrigation/ Ground Water (H1)
SOURCE: Well Water

NOTES: Temperature was above qualifying at 19.8c

| Sample ID | Lab ID | Analyte | Method Ref | Result | Units |
|---|---|---|---|---|---|
| DW #3 By Playground old #? | T2343008C | Electrical Conductivity (EC) | EPA 120.1 and | 1.46 | mmhos/cm |
| | | Nitrate Nitrogen (NO3-N) | EPA 353.2 | 44.9 | mg/L |
| | | Ammonia Nitrogen (NH3-N) | SM 4500-NH3 D,C | < 0.500 | mg/L |
| | | Soluble Salts (SALT-SOL) | Calculation | 936 | mg/L |

| Laboratory Quality Control | LCS % | MS % | MSD % | RPD % |
|---|---|---|---|---|
| Ammonia Nitrogen (NH3-N) | 105 | 95.8 (T2342007A) | 98.8 (T2342007A) | 3.08 |
| Electrical Conductivity (EC) | 102 | | | 0.701 |
| Nitrate Nitrogen (NO3-N) | 99.4 | 103 (T2342006B) | 104 (T2342006B) | 0.658 |

The warranty of Denele Analytical is limited to the accuracy of the analyses of the samples as received. Denele Analytical assumes no responsibility for which the customer uses our test results, nor liability for any other warranties, express or implied. These terms and conditions shall supercede any conflicting terms and conditions submitted on customer purchase orders or other forms submitted for work.

**Denele Analytical, Inc.**

865 South Kilroy Avenue Turlock, CA 95380
Phone (209) 634-9055 - Fax (209) 634-9057

www.denelelabs.com

40 N. East Street, Woodland, CA 95776
Phone (530) 666-9056 - Fax (530) 666-9058

# Compliance Analysis Report

**Customer**
G.J. Silva Dairy
3107 S. Prairie Flower Rd.
Turlock, CA 95380

**Grower**

**Consultant:**
F & R Ag Services
2857 Geer Rd. Ste A
Turlock, CA 95382

PURCHASE ORDER:
RECEIVED DATE: 12/9/22 1:00 PM
SUBMITTED BY: Mark
ANALYZED DATE: 12/14/22

Irrigation/ Ground Water (H1)
SOURCE: Well Water

NOTES: Temperature was above qualifying at 20.4c

| Sample ID | Lab ID | Analyte | Method Ref | Result | Units |
|---|---|---|---|---|---|
| DW #4 S. Barn 1 | T2343008D | Electrical Conductivity (EC) | EPA 120.1 and | 1.18 | mmhos/cm |
| | | Nitrate Nitrogen (NO3-N) | EPA 353.2 | 27.9 | mg/L |
| | | Ammonia Nitrogen (NH3-N) | SM 4500-NH3 D,C | < 0.500 | mg/L |
| | | Soluble Salts (SALT-SOL) | Calculation | 754 | mg/L |

| Laboratory Quality Control | LCS % | MS % | MSD % | RPD % |
|---|---|---|---|---|
| Ammonia Nitrogen (NH3-N) | 105 | 95.8 (T2342007A) | 98.8 (T2342007A) | 3.08 |
| Electrical Conductivity (EC) | 102 | | | 0.701 |
| Nitrate Nitrogen (NO3-N) | 99.4 | 103 (T2342006B) | 104 (T2342006B) | 0.658 |

The warranty of Denele Analytical is limited to the accuracy of the analyses of the samples as received. Denele Analytical assumes no responsibility for which the customer uses our test results, nor liability for any other warranties, express or implied. These terms and conditions shall supercede any conflicting terms and conditions submitted on customer purchase orders or other forms submitted for work.

**Denele Analytical, Inc.**

865 South Kilroy Avenue Turlock, CA 95380
Phone (209) 634-9055 - Fax (209) 634-9057

www.denelelabs.com

40 N. East Street, Woodland, CA 95776
Phone (530) 666-9056 - Fax (530) 666-9058

# Compliance Analysis Report

**Customer**
G.J. Silva Dairy
3107 S. Prairie Flower Rd.
Turlock, CA 95380

**Grower**

**Consultant:**
F & R Ag Services
2857 Geer Rd. Ste A
Turlock, CA 95382

PURCHASE ORDER:
RECEIVED DATE: 12/9/22 1:00 PM
SUBMITTED BY: Mark
ANALYZED DATE: 12/14/22

Irrigation/ Ground Water (H1)
SOURCE: Well Water

NOTES: Temperature was above qualifying at 20.4c

| Sample ID | Lab ID | Analyte | Method Ref | Result | Units |
|---|---|---|---|---|---|
| DW #5 W. Barn 1 | T2343008E | Electrical Conductivity (EC) | EPA 120.1 and | 1.48 | mmhos/cm |
| | | Nitrate Nitrogen (NO3-N) | EPA 353.2 | 30.3 | mg/L |
| | | Ammonia Nitrogen (NH3-N) | SM 4500-NH3 D,C | < 0.500 | mg/L |
| | | Soluble Salts (SALT-SOL) | Calculation | 949 | mg/L |

| Laboratory Quality Control | LCS % | MS % | MSD % | RPD % |
|---|---|---|---|---|
| Ammonia Nitrogen (NH3-N) | 105 | 95.8 (T2342007A) | 98.8 (T2342007A) | 3.08 |
| Electrical Conductivity (EC) | 102 | | | 0.701 |
| Nitrate Nitrogen (NO3-N) | 99.4 | 103 (T2342006B) | 104 (T2342006B) | 0.658 |

The warranty of Denele Analytical is limited to the accuracy of the analyses of the samples as received. Denele Analytical assumes no responsibility for which the customer uses our test results, nor liability for any other warranties, express or implied. These terms and conditions shall supercede any conflicting terms and conditions submitted on customer purchase orders or other forms submitted for work.

**Denele Analytical, Inc.**

865 South Kilroy Avenue Turlock, CA 95380
Phone (209) 634-9055 - Fax (209) 634-9057

www.denelelabs.com

40 N. East Street, Woodland, CA 95776
Phone (530) 666-9056 - Fax (530) 666-9058

# Compliance Analysis Report

**Customer**
G.J. Silva Dairy
3107 S. Prairie Flower Rd.
Turlock, CA 95380

**Grower**

**Consultant:**
F & R Ag Services
2857 Geer Rd. Ste A
Turlock, CA 95382

PURCHASE ORDER:
RECEIVED DATE: 12/9/22 1:00 PM
SUBMITTED BY: Mark
ANALYZED DATE: 12/14/22

Irrigation/ Ground Water (H1)
SOURCE: Well Water

NOTES: Temperature was above qualifying at 20.8c

| Sample ID | Lab ID | Analyte | Method Ref | Result | Units |
|---|---|---|---|---|---|
| DW #6 2537 SPF old #7 | T2343008F | Electrical Conductivity (EC) | EPA 120.1 and | 1.48 | mmhos/cm |
| | | Nitrate Nitrogen (NO3-N) | EPA 353.2 | 29.3 | mg/L |
| | | Ammonia Nitrogen (NH3-N) | SM 4500-NH3 D,C | < 0.500 | mg/L |
| | | Soluble Salts (SALT-SOL) | Calculation | 946 | mg/L |

| Laboratory Quality Control | LCS % | MS % | MSD % | RPD % |
|---|---|---|---|---|
| Ammonia Nitrogen (NH3-N) | 105 | 95.8 (T2342007A) | 98.8 (T2342007A) | 3.08 |
| Electrical Conductivity (EC) | 102 | | | 0.701 |
| Nitrate Nitrogen (NO3-N) | 99.4 | 103 (T2342006B) | 104 (T2342006B) | 0.658 |

The warranty of Denele Analytical is limited to the accuracy of the analyses of the samples as received. Denele Analytical assumes no responsibility for which the customer uses our test results, nor liability for any other warranties, express or implied. These terms and conditions shall supercede any conflicting terms and conditions submitted on customer purchase orders or other forms submitted for work.

**Denele Analytical, Inc.**

865 South Kilroy Avenue Turlock, CA 95380
Phone (209) 634-9055 - Fax (209) 634-9057

40 N. East Street, Woodland, CA 95776
Phone (530) 666-9056 - Fax (530) 666-9058

www.denelelabs.com

# Compliance Analysis Report

**Customer**
G.J. Silva Dairy
3107 S. Prairie Flower Rd.
Turlock, CA 95380

**Grower**

**Consultant:**
F & R Ag Services
2857 Geer Rd. Ste A
Turlock, CA 95382

PURCHASE ORDER:
RECEIVED DATE: 12/9/22 1:00 PM
SUBMITTED BY: Mark
ANALYZED DATE: 12/14/22

Irrigation/ Ground Water (H1)
SOURCE: Well Water

NOTES: Temperature was above qualifying at 19.4c

| Sample ID | Lab ID | Analyte | Method Ref | Result | Units |
|---|---|---|---|---|---|
| DW #7 Well by Pond & Hutches old #18 | T2343008G | Electrical Conductivity (EC) | EPA 120.1 and | 1.38 | mmhos/cm |
| | | Nitrate Nitrogen (NO3-N) | EPA 353.2 | 28.9 | mg/L |
| | | Ammonia Nitrogen (NH3-N) | SM 4500-NH3 D,C | < 0.500 | mg/L |
| | | Soluble Salts (SALT-SOL) | Calculation | 882 | mg/L |

| Laboratory Quality Control | LCS % | MS % | MSD % | RPD % |
|---|---|---|---|---|
| Ammonia Nitrogen (NH3-N) | 105 | 95.8 (T2342007A) | 98.8 (T2342007A) | 3.08 |
| Electrical Conductivity (EC) | 102 | | | 0.701 |
| Nitrate Nitrogen (NO3-N) | 99.4 | 103 (T2342006B) | 104 (T2342006B) | 0.658 |

The warranty of Denele Analytical is limited to the accuracy of the analyses of the samples as received. Denele Analytical assumes no responsibility for which the customer uses our test results, nor liability for any other warranties, express or implied. These terms and conditions shall supercede any conflicting terms and conditions submitted on customer purchase orders or other forms submitted for work.

**Denele Analytical, Inc.**

865 South Kilroy Avenue Turlock, CA 95380
Phone (209) 634-9055 - Fax (209) 634-9057

40 N. East Street, Woodland, CA 95776
Phone (530) 666-9056 - Fax (530) 666-9058

www.denelelabs.com

# Compliance Analysis Report

**Customer**
G.J. Silva Dairy
3107 S. Prairie Flower Rd.
Turlock, CA 95380

**Grower**

**Consultant:**
F & R Ag Services
2857 Geer Rd. Ste A
Turlock, CA 95382

PURCHASE ORDER:
RECEIVED DATE: 12/9/22 1:00 PM
SUBMITTED BY: Mark
ANALYZED DATE: 12/14/22

Irrigation / Ground Water (H7)
SOURCE: Irrigation Water

NOTES: Temperature was above qualifying at 20.4c

| Sample ID | Lab ID | Analyte | Method Ref | Result | Units |
|---|---|---|---|---|---|
| IW #8 Harding & Mitchell | T2343008H | Electrical Conductivity (EC) | EPA 120.1 and | 1.82 | mmhos/cm |
| | | Ammonia Nitrogen (NH3-N) | SM 4500-NH3 D,C | < 0.500 | mg/L |
| | | Nitrate Nitrogen (NO3-N) | EPA 353.2 | 54.0 | mg/L |
| | | Total Dissolved Solids (TDS) | SM 2540 C-1997 and | 1050 | mg/L |
| | | Total Nitrogen (TN) | SM 4500-NH3 D,C | 56.8 | mg/L |
| | | Soluble Salts (SALT-SOL) | Calculation | 1160 | mg/L |

| Laboratory Quality Control | LCS % | MS % | MSD % | Sample mg/L | Dup mg/L | RPD % |
|---|---|---|---|---|---|---|
| Ammonia Nitrogen (NH3-N) | 105 | 95.8 (T2342007A) | 98.8 (T2342007A) | | | 3.08 |
| Electrical Conductivity (EC) | 102 | | | 1.01 (T2342008A) | 1.02 (Dup) | 0.197 |
| Nitrate Nitrogen (NO3-N) | 103 | 109 (null) | 106 (null) | | | 2.44 |
| Total Dissolved Solids (TDS) | 110 | | | 140 (T2348019J) | 140 (Dup) | 0.000 |
| Total Nitrogen (TN) | 98.0 | | 107 (T2340001A) | | | |

The warranty of Denele Analytical is limited to the accuracy of the analyses of the samples as received. Denele Analytical assumes no responsibility for which the customer uses our test results, nor liability for any other warranties, express or implied. These terms and conditions shall supercede any conflicting terms and conditions submitted on customer purchase orders or other forms submitted for work.

**Denele Analytical, Inc.**

865 South Kilroy Avenue Turlock, CA 95380
Phone (209) 634-9055 - Fax (209) 634-9057

40 N. East Street, Woodland, CA 95776
Phone (530) 666-9056 - Fax (530) 666-9058

www.denelelabs.com

# Compliance Analysis Report

**Customer**
G.J. Silva Dairy
3107 S. Prairie Flower Rd.
Turlock, CA 95380

**Grower**

**Consultant:**
F & R Ag Services
2857 Geer Rd. Ste A
Turlock, CA 95382

PURCHASE ORDER:
RECEIVED DATE: 12/9/22 1:00 PM
SUBMITTED BY: Mark
ANALYZED DATE: 12/14/22

Irrigation/ Ground Water (H1)
SOURCE: Well Water

NOTES: Temperature was above qualifying at 19.8c

| Sample ID | Lab ID | Analyte | Method Ref | Result | Units |
|---|---|---|---|---|---|
| DW #9 Penny Jackson | T2343008I | Electrical Conductivity (EC) | EPA 120.1 and | 2.77 | mmhos/cm |
| | | Nitrate Nitrogen (NO3-N) | EPA 353.2 | 79.8 | mg/L |
| | | Ammonia Nitrogen (NH3-N) | SM 4500-NH3 D,C | < 0.500 | mg/L |
| | | Soluble Salts (SALT-SOL) | Calculation | 1770 | mg/L |

| Laboratory Quality Control | LCS % | MS % | MSD % | RPD % |
|---|---|---|---|---|
| Ammonia Nitrogen (NH3-N) | 105 | 95.8 (T2342007A) | 98.8 (T2342007A) | 3.08 |
| Electrical Conductivity (EC) | 102 | | | 0.701 |
| Nitrate Nitrogen (NO3-N) | 99.4 | 103 (T2342006B) | 104 (T2342006B) | 0.658 |

The warranty of Denele Analytical is limited to the accuracy of the analyses of the samples as received. Denele Analytical assumes no responsibility for which the customer uses our test results, nor liability for any other warranties, express or implied. These terms and conditions shall supercede any conflicting terms and conditions submitted on customer purchase orders or other forms submitted for work.

**Denele Analytical, Inc.**

865 South Kilroy Avenue Turlock, CA 95380
Phone (209) 634-9055 - Fax (209) 634-9057

www.denelelabs.com

40 N. East Street, Woodland, CA 95776
Phone (530) 666-9056 - Fax (530) 666-9058

# Compliance Analysis Report

**Customer**
G.J. Silva Dairy
3107 S. Prairie Flower Rd.
Turlock, CA 95380

**Grower**

**Consultant:**
F & R Ag Services
2857 Geer Rd. Ste A
Turlock, CA 95382

PURCHASE ORDER:
RECEIVED DATE: 12/9/22 1:00 PM
SUBMITTED BY: Mark
ANALYZED DATE: 12/14/22

Irrigation/ Ground Water (H1)
SOURCE: Well Water

NOTES: Temperature was above qualifying at 19.8c

| Sample ID | Lab ID | Analyte | Method Ref | Result | Units |
|---|---|---|---|---|---|
| DW #10 E4 | T2343008J | Electrical Conductivity (EC) | EPA 120.1 and | 1.13 | mmhos/cm |
| | | Nitrate Nitrogen (NO3-N) | EPA 353.2 | 27.0 | mg/L |
| | | Ammonia Nitrogen (NH3-N) | SM 4500-NH3 D,C | < 0.500 | mg/L |
| | | Soluble Salts (SALT-SOL) | Calculation | 724 | mg/L |

| Laboratory Quality Control | LCS % | MS % | MSD % | RPD % |
|---|---|---|---|---|
| Ammonia Nitrogen (NH3-N) | 105 | 95.8 (T2342007A) | 98.8 (T2342007A) | 3.08 |
| Electrical Conductivity (EC) | 102 | | | 0.701 |
| Nitrate Nitrogen (NO3-N) | 99.4 | 103 (T2342006B) | 104 (T2342006B) | 0.658 |

The warranty of Denele Analytical is limited to the accuracy of the analyses of the samples as received. Denele Analytical assumes no responsibility for which the customer uses our test results, nor liability for any other warranties, express or implied. These terms and conditions shall supercede any conflicting terms and conditions submitted on customer purchase orders or other forms submitted for work.

# DENELE ANALYTICAL, INC.

865 S. KILROY
TURLOCK, CA 95380
PH# 209-634-9055 FAX# 209-634-9057

## DAIRY COMPLIANCE

Client: G.J. Silva Dairy
Mailing address:
(not facility address)
Phone#:

Authorized Copy Released To:

Sampled By: Mark Latter
Project ID:

## ANALYSIS TO BE COMPLETED:

**IRRIGATION/GROUND WATER**
- **H1** EC*, NO3-N, NH4-N*
- **H6** EC, TN, TDS
- **H7** Combination of H1 & H6
- **H14** EC, NO3-N, NH4-N, Ca, Mg, Na, Bicarb Carb, SO4, Cl, TDS

**PROCESS WASTE WATER**
- **H3** EC*, NH4-N, TKN, TP, K, TDS
- **H4** EC*, NO3-N, NH4-N, TKN, TP, K, TDS
- **H5** Ca, Mg, Na, Bicarb, Carb, SO4, Cl
- **H8** Combination of H3 &H5
- **H9** Combination of H4 &H5

**TILE DRAIN**
- **H2** EC*, NO3-N, TP, NH4-N*, TDS

** Required Field Measurement*

___ (Check here if performed)

**DISCHARGE WATER**
- **E1** EC*, Temp*, pH*, NO3-N, NH4-N, TKN, TP, K, TDS, Dissolved Oxygen*, BOD 5, TSS, Total & Fecal Coliforms
- **E2** EC,* Temp*, pH*, NO3-N, NH4-N*, Turbidity, TP, Dissolved Oxygen*, Total & Fecal Coliforms
- **E3** EC*, Temp*, pH*, NO3-N, NH4-N*, TP, Total & Fecal Coliforms
- **E4** EC*, Temp*, pH*, NO3-N, NH4-N*, Turbidity, TP, Total & Fecal Coliform

**MANURE**
- **M1** % Moisture
- **M3** TN TP, K, % Moisture
- **M4** Ca, Mg, Na, Bicarb, Carb, SO4, Cl, Ash
- **M7** Combination of M3 & M4

**PLANT TISSUE**
- **F18** % Moisture, Ash, TN, P, K, DM and as received
- **F18+** % Moisture, Ash, TN, P, K, DM and as received (Package also includes NIR DCAD)
- **F19+** % Moisture, TN (Package includes complete plant tissue analysis)

**SOIL**
- **K3** Soluble Phosphorus
- **K4** 1ft NO3, Organic Matter
- **K5** Pre-Plant (2ft NO3), Fall (1-2ft NO3), Fall (2-3ft NO3)
- **K6** 0-1ft EC, NO3, Soluble P, K, Organic Matter
- **K7** Combination of K3 & K4
- **K8** Combination of K3 & K5

| | Date Collected | Time Collected | Sample ID | Description | Temp | Well Purge | H1 | H3 | M3 | F18 | OTHER |
|---|---|---|---|---|---|---|---|---|---|---|---|
| 1 | 12/9 | 11 Am | DW #1 | Bathroom | 20.6° | | ✓ | | | | |
| 2 | " | 11:05 A | DW #2 | Proscure tanks | 19.8° | | ✓ | | | | |
| 3 | " | 11:07 A | DW #3 By Playground | ~~old~~ old #? | 19.8° | | ✓ | | | | |
| 4 | " | 11:09 | DW #4 S. Barn 1 | ~~old #3~~ OK | 20.4° | | ✓ | | | | |
| 5 | " | 11:11 | DW #5 N. Barn 1 | ~~old #4~~ OK | 20.4° | | ✓ | | | | |
| 6 | " | 11:13 | DW #6 2537 SPF | old #7 | 20.8° | | ✓ | | | | |
| 7 | " | 11:15 | DW #7 well by Pond & Hutches | old #18 | 19.4° | | ✓ | | | | |
| 8 | " | 11:17 | DW #8 Harding & Mitchell | old #? | 20.4° | | | | | | H7 |
| 9 | " | 11:19 | DW #9 Penny Jackson | old #? | 19.8° | | ✓ | | | | |
| 10 | " | 11:20 | DW #10 E4 | | 19.8° | | ✓ | | | | |

Analysis

**CHAIN OF CUSTODY RECORDING**

| | Signature | Company | Received Date & Time | Relinquished Date & Time | (LABORATORY USE ONLY) Logged in By: | LABORATORY NUMBER |
|---|---|---|---|---|---|---|
| 1st | Mark Latter | | | | | |
| 2nd | | DENELE ANALYTICAL, INC. | 12-9-22 1:00 | | | T2343008 |

**Denele Analytical, Inc.**

865 South Kilroy Avenue Turlock, CA 95380
Phone (209) 634-9055 - Fax (209) 634-9057

www.denelelabs.com

40 N. East Street, Woodland, CA 95776
Phone (530) 666-9056 - Fax (530) 666-9058

# Compliance Analysis Report

**Customer**
G.J. Silva Dairy
3107 S. Prairie Flower Rd.
Turlock, CA 95380

**Grower**

**Consultant:**
F & R Ag Services
2857 Geer Rd. Ste A
Turlock, CA 95382

PURCHASE ORDER:
RECEIVED DATE: 12/9/22 1:00 PM
SUBMITTED BY: Mark
ANALYZED DATE: 12/14/22

Irrigation/ Ground Water (H1)
SOURCE: Well Water

NOTES: Temperature was above qualifying at 19.2c

| Sample ID | Lab ID | Analyte | Method Ref | Result | Units |
|---|---|---|---|---|---|
| DW #11 Marty's E2 old #20 | T2343009A | Electrical Conductivity (EC) | EPA 120.1 and | 1.76 | mmhos/cm |
| | | Nitrate Nitrogen (NO3-N) | EPA 353.2 | 41.5 | mg/L |
| | | Ammonia Nitrogen (NH3-N) | SM 4500-NH3 D,C | < 0.500 | mg/L |
| | | Soluble Salts (SALT-SOL) | Calculation | 1130 | mg/L |

| Laboratory Quality Control | LCS % | MS % | MSD % | RPD % |
|---|---|---|---|---|
| Ammonia Nitrogen (NH3-N) | 105 | 95.8 (T2342007A) | 98.8 (T2342007A) | 3.08 |
| Electrical Conductivity (EC) | 102 | | | 0.701 |
| Nitrate Nitrogen (NO3-N) | 99.4 | 103 (T2342006B) | 104 (T2342006B) | 0.658 |

The warranty of Denele Analytical is limited to the accuracy of the analyses of the samples as received. Denele Analytical assumes no responsibility for which the customer uses our test results, nor liability for any other warranties, express or implied. These terms and conditions shall supercede any conflicting terms and conditions submitted on customer purchase orders or other forms submitted for work.



ELAP Certificate No.: 2714

**Denele Analytical, Inc.**

865 South Kilroy Avenue Turlock, CA 95380
Phone (209) 634-9055 - Fax (209) 634-9057

www.denelelabs.com

40 N. East Street, Woodland, CA 95776
Phone (530) 666-9056 - Fax (530) 666-9058

# Compliance Analysis Report

**Customer**
G.J. Silva Dairy
3107 S. Prairie Flower Rd.
Turlock, CA 95380

**Grower**

**Consultant:**
F & R Ag Services
2857 Geer Rd. Ste A
Turlock, CA 95382

PURCHASE ORDER:
RECEIVED DATE: 12/9/22 1:00 PM
SUBMITTED BY: Mark
ANALYZED DATE: 12/15/22

Irrigation/ Ground Water (H1)
SOURCE: Well Water

NOTES: Temperature was above qualifying at 19.2c

| Sample ID | Lab ID | Analyte | Method Ref | Result | Units |
|---|---|---|---|---|---|
| DW #12 4413 SPF | T2343009B | Electrical Conductivity (EC) | EPA 120.1 and | 1.64 | mmhos/cm |
| | | Nitrate Nitrogen (NO3-N) | EPA 353.2 | 21.6 | mg/L |
| | | Ammonia Nitrogen (NH3-N) | SM 4500-NH3 D,C | < 0.500 | mg/L |
| | | Soluble Salts (SALT-SOL) | Calculation | 1050 | mg/L |

| Laboratory Quality Control | LCS % | MS % | MSD % | RPD % |
|---|---|---|---|---|
| Ammonia Nitrogen (NH3-N) | 104 | 95.2 (T2343009B) | 91.6 (T2343009B) | 3.85 |
| Electrical Conductivity (EC) | 102 | | | 0.197 |
| Nitrate Nitrogen (NO3-N) | 101 | 98.6 (T2348004A) | 102 (T2348004A) | 3.39 |

The warranty of Denele Analytical is limited to the accuracy of the analyses of the samples as received. Denele Analytical assumes no responsibility for which the customer uses our test results, nor liability for any other warranties, express or implied. These terms and conditions shall supercede any conflicting terms and conditions submitted on customer purchase orders or other forms submitted for work.



ELAP Certificate No.: 2714

**Denele Analytical, Inc.**

865 South Kilroy Avenue Turlock, CA 95380
Phone (209) 634-9055 - Fax (209) 634-9057

www.denelelabs.com

40 N. East Street, Woodland, CA 95776
Phone (530) 666-9056 - Fax (530) 666-9058

# Compliance Analysis Report

**Customer**
G.J. Silva Dairy
3107 S. Prairie Flower Rd.
Turlock, CA 95380

**Grower**

**Consultant:**
F & R Ag Services
2857 Geer Rd. Ste A
Turlock, CA 95382

PURCHASE ORDER:
RECEIVED DATE: 12/9/22 1:00 PM
SUBMITTED BY: Mark
ANALYZED DATE: 12/15/22

Irrigation/ Ground Water (H1)
SOURCE: Well Water

NOTES: Temperature was above qualifying at 19.8c

| Sample ID | Lab ID | Analyte | Method Ref | Result | Units |
|---|---|---|---|---|---|
| DW #13 S.3630 SPF | T2343009C | Electrical Conductivity (EC) | EPA 120.1 and | 0.998 | mmhos/cm |
| | | Nitrate Nitrogen (NO3-N) | EPA 353.2 | 19.3 | mg/L |
| | | Ammonia Nitrogen (NH3-N) | SM 4500-NH3 D,C | < 0.500 | mg/L |
| | | Soluble Salts (SALT-SOL) | Calculation | 639 | mg/L |

| Laboratory Quality Control | LCS % | MS % | MSD % | RPD % |
|---|---|---|---|---|
| Ammonia Nitrogen (NH3-N) | 104 | 95.2 (T2343009B) | 91.6 (T2343009B) | 3.85 |
| Electrical Conductivity (EC) | 102 | | | 0.197 |
| Nitrate Nitrogen (NO3-N) | 101 | 98.6 (T2348004A) | 102 (T2348004A) | 3.39 |

The warranty of Denele Analytical is limited to the accuracy of the analyses of the samples as received. Denele Analytical assumes no responsibility for which the customer uses our test results, nor liability for any other warranties, express or implied. These terms and conditions shall supercede any conflicting terms and conditions submitted on customer purchase orders or other forms submitted for work.

**Denele Analytical, Inc.**

865 South Kilroy Avenue Turlock, CA 95380
Phone (209) 634-9055 - Fax (209) 634-9057

www.denelelabs.com

40 N. East Street, Woodland, CA 95776
Phone (530) 666-9056 - Fax (530) 666-9058

# Compliance Analysis Report

**Customer**
G.J. Silva Dairy
3107 S. Prairie Flower Rd.
Turlock, CA 95380

**Grower**

**Consultant:**
F & R Ag Services
2857 Geer Rd. Ste A
Turlock, CA 95382

PURCHASE ORDER:
RECEIVED DATE: 12/9/22 1:00 PM
SUBMITTED BY: Mark
ANALYZED DATE: 12/15/22

Irrigation/ Ground Water (H1)
SOURCE: Well Water

NOTES: Temperature was above qualifying at 19.6c

| Sample ID | Lab ID | Analyte | Method Ref | Result | Units |
|---|---|---|---|---|---|
| DW #14 N. 3630 SPF | T2343009D | Electrical Conductivity (EC) | EPA 120.1 and | 1.10 | mmhos/cm |
| | | Nitrate Nitrogen (NO3-N) | EPA 353.2 | 23.8 | mg/L |
| | | Ammonia Nitrogen (NH3-N) | SM 4500-NH3 D,C | < 0.500 | mg/L |
| | | Soluble Salts (SALT-SOL) | Calculation | 702 | mg/L |

| Laboratory Quality Control | LCS % | MS % | MSD % | RPD % |
|---|---|---|---|---|
| Ammonia Nitrogen (NH3-N) | 104 | 95.2 (T2343009B) | 91.6 (T2343009B) | 3.85 |
| Electrical Conductivity (EC) | 102 | | | 0.197 |
| Nitrate Nitrogen (NO3-N) | 101 | 98.6 (T2348004A) | 102 (T2348004A) | 3.39 |

The warranty of Denele Analytical is limited to the accuracy of the analyses of the samples as received. Denele Analytical assumes no responsibility for which the customer uses our test results, nor liability for any other warranties, express or implied. These terms and conditions shall supercede any conflicting terms and conditions submitted on customer purchase orders or other forms submitted for work.

**Denele Analytical, Inc.**

865 South Kilroy Avenue Turlock, CA 95380
Phone (209) 634-9055 - Fax (209) 634-9057

www.denelelabs.com

40 N. East Street, Woodland, CA 95776
Phone (530) 666-9056 - Fax (530) 666-9058

# Compliance Analysis Report

**Customer**
G.J. Silva Dairy
3107 S. Prairie Flower Rd.
Turlock, CA 95380

**Grower**

**Consultant:**
F & R Ag Services
2857 Geer Rd. Ste A
Turlock, CA 95382

PURCHASE ORDER:
RECEIVED DATE: 12/9/22 1:00 PM
SUBMITTED BY: Mark
ANALYZED DATE: 12/15/22

Irrigation/ Ground Water (H1)
SOURCE: Well Water

NOTES: Temperature was above qualifying at 19.8c

| Sample ID | Lab ID | Analyte | Method Ref | Result | Units |
|---|---|---|---|---|---|
| #15 3597 SPF | T2343009E | Electrical Conductivity (EC) | EPA 120.1 and | 0.867 | mmhos/cm |
| | | Nitrate Nitrogen (NO3-N) | EPA 353.2 | 18.0 | mg/L |
| | | Ammonia Nitrogen (NH3-N) | SM 4500-NH3 D,C | < 0.500 | mg/L |
| | | Soluble Salts (SALT-SOL) | Calculation | 555 | mg/L |

| Laboratory Quality Control | LCS % | MS % | MSD % | RPD % |
|---|---|---|---|---|
| Ammonia Nitrogen (NH3-N) | 104 | 95.2 (T2343009B) | 91.6 (T2343009B) | 3.85 |
| Electrical Conductivity (EC) | 102 | | | 0.197 |
| Nitrate Nitrogen (NO3-N) | 101 | 98.6 (T2348004A) | 102 (T2348004A) | 3.39 |

The warranty of Denele Analytical is limited to the accuracy of the analyses of the samples as received. Denele Analytical assumes no responsibility for which the customer uses our test results, nor liability for any other warranties, express or implied. These terms and conditions shall supercede any conflicting terms and conditions submitted on customer purchase orders or other forms submitted for work.



ELAP Certificate No.: 2714

**Denele Analytical, Inc.**

865 South Kilroy Avenue Turlock, CA 95380
Phone (209) 634-9055 - Fax (209) 634-9057

www.denelelabs.com

40 N. East Street, Woodland, CA 95776
Phone (530) 666-9056 - Fax (530) 666-9058

# Compliance Analysis Report

**Customer**
G.J. Silva Dairy
3107 S. Prairie Flower Rd.
Turlock, CA 95380

**Grower**

**Consultant:**
F & R Ag Services
2857 Geer Rd. Ste A
Turlock, CA 95382

PURCHASE ORDER:
RECEIVED DATE: 12/9/22 1:00 PM
SUBMITTED BY: Mark
ANALYZED DATE: 12/15/22

Irrigation/ Ground Water (H1)
SOURCE: Well Water

NOTES: Temperature was above qualifying at 19.8c

| Sample ID | Lab ID | Analyte | Method Ref | Result | Units |
|---|---|---|---|---|---|
| DW #16 3237 SPF | T2343009F | Electrical Conductivity (EC) | EPA 120.1 and | 1.46 | mmhos/cm |
| | | Nitrate Nitrogen (NO3-N) | EPA 353.2 | 35.9 | mg/L |
| | | Ammonia Nitrogen (NH3-N) | SM 4500-NH3 D,C | < 0.500 | mg/L |
| | | Soluble Salts (SALT-SOL) | Calculation | 935 | mg/L |

| Laboratory Quality Control | LCS % | MS % | MSD % | RPD % |
|---|---|---|---|---|
| Ammonia Nitrogen (NH3-N) | 104 | 95.2 (T2343009B) | 91.6 (T2343009B) | 3.85 |
| Electrical Conductivity (EC) | 102 | | | 0.197 |
| Nitrate Nitrogen (NO3-N) | 101 | 98.6 (T2348004A) | 102 (T2348004A) | 3.39 |

The warranty of Denele Analytical is limited to the accuracy of the analyses of the samples as received. Denele Analytical assumes no responsibility for which the customer uses our test results, nor liability for any other warranties, express or implied. These terms and conditions shall supercede any conflicting terms and conditions submitted on customer purchase orders or other forms submitted for work.

**Denele Analytical, Inc.**

865 South Kilroy Avenue Turlock, CA 95380
Phone (209) 634-9055 - Fax (209) 634-9057

www.denelelabs.com

40 N. East Street, Woodland, CA 95776
Phone (530) 666-9056 - Fax (530) 666-9058

# Compliance Analysis Report

**Customer**
G.J. Silva Dairy
3107 S. Prairie Flower Rd.
Turlock, CA 95380

**Grower**

**Consultant:**
F & R Ag Services
2857 Geer Rd. Ste A
Turlock, CA 95382

PURCHASE ORDER:
RECEIVED DATE: 12/9/22 1:00 PM
SUBMITTED BY: Mark
ANALYZED DATE: 12/14/22

Irrigation/ Ground Water (H1)
SOURCE: Well Water

NOTES: Temperature was above qualifying at 18.8c

| Sample ID | Lab ID | Analyte | Method Ref | Result | Units |
|---|---|---|---|---|---|
| #17 Reis Dairy | T2343009G | Electrical Conductivity (EC) | EPA 120.1 and | 2.03 | mmhos/cm |
| | | Nitrate Nitrogen (NO3-N) | EPA 353.2 | 38.9 | mg/L |
| | | Ammonia Nitrogen (NH3-N) | SM 4500-NH3 D,C | < 0.500 | mg/L |
| | | Soluble Salts (SALT-SOL) | Calculation | 1300 | mg/L |

| Laboratory Quality Control | LCS % | MS % | MSD % | RPD % |
|---|---|---|---|---|
| Ammonia Nitrogen (NH3-N) | 103 | 97.6 (T2341017A) | 97.0 (T2341017A) | 0.615 |
| Electrical Conductivity (EC) | 102 | | | 0.275 |
| Nitrate Nitrogen (NO3-N) | 101 | 98.6 (T2348004A) | 102 (T2348004A) | 3.39 |

The warranty of Denele Analytical is limited to the accuracy of the analyses of the samples as received. Denele Analytical assumes no responsibility for which the customer uses our test results, nor liability for any other warranties, express or implied. These terms and conditions shall supercede any conflicting terms and conditions submitted on customer purchase orders or other forms submitted for work.

**Denele Analytical, Inc.**

865 South Kilroy Avenue Turlock, CA 95380
Phone (209) 634-9055 - Fax (209) 634-9057

www.denelelabs.com

40 N. East Street, Woodland, CA 95776
Phone (530) 666-9056 - Fax (530) 666-9058

# Compliance Analysis Report

**Customer**
G.J. Silva Dairy
3107 S. Prairie Flower Rd.
Turlock, CA 95380

**Grower**

**Consultant:**
F & R Ag Services
2857 Geer Rd. Ste A
Turlock, CA 95382

PURCHASE ORDER:
RECEIVED DATE: 12/9/22 1:00 PM
SUBMITTED BY: Mark
ANALYZED DATE: 12/14/22

Irrigation/ Ground Water (H1)
SOURCE: Well Water

NOTES: Temperature was above qualifying at 18.8c

| Sample ID | Lab ID | Analyte | Method Ref | Result | Units |
|---|---|---|---|---|---|
| #18 3303 Washington | T2343009H | Electrical Conductivity (EC) | EPA 120.1 and | 0.972 | mmhos/cm |
| | | Nitrate Nitrogen (NO3-N) | EPA 353.2 | 3.28 | mg/L |
| | | Ammonia Nitrogen (NH3-N) | SM 4500-NH3 D,C | < 0.500 | mg/L |
| | | Soluble Salts (SALT-SOL) | Calculation | 622 | mg/L |

| Laboratory Quality Control | LCS % | MS % | MSD % | RPD % |
|---|---|---|---|---|
| Ammonia Nitrogen (NH3-N) | 103 | 97.6 (T2341017A) | 97.0 (T2341017A) | 0.615 |
| Electrical Conductivity (EC) | 102 | | | 0.275 |
| Nitrate Nitrogen (NO3-N) | 101 | 98.6 (T2348004A) | 102 (T2348004A) | 3.39 |

The warranty of Denele Analytical is limited to the accuracy of the analyses of the samples as received. Denele Analytical assumes no responsibility for which the customer uses our test results, nor liability for any other warranties, express or implied. These terms and conditions shall supercede any conflicting terms and conditions submitted on customer purchase orders or other forms submitted for work.

# DENELE ANALYTICAL, INC.

865 S. KILROY
TURLOCK, CA 95380
PH# 209-634-9055 FAX# 209-634-9057

## DAIRY COMPLIANCE

Client: G.S. Silva Dairy
Mailing address: 3107 S. Prairie Flower Rd.
(not facility address) turlock CA 95380
Phone#:

Authorized Copy Released To:

Sampled By: Mark Latter
Project ID:

## ANALYSIS TO BE COMPLETED:

**IRRIGATION/GROUND WATER**
- H1 EC*, NO3-N, NH4-N*
- H6 EC, TN, TDS
- H7 Combination of H1 & H6
- H14 EC, NO3-N, NH4-N, Ca, Mg, Na, Bicarb Carb, SO4, Cl, TDS

**PROCESS WASTE WATER**
- H3 EC*, NH4-N, TKN, TP, K, TDS
- H4 EC*, NO3-N, NH4-N, TKN, TP, K, TDS
- H5 Ca, Mg, Na, Bicarb, Carb, SO4, Cl
- H8 Combination of H3 &H5
- H9 Combination of H4 &H5

**TILE DRAIN**
- H2 EC*, NO3-N, TP, NH4-N*, TDS

** Required Field Measurement*

___ (Check here if performed)

**DISCHARGE WATER**
- E1 EC*, Temp*, pH*, NO3-N, NH4-N, TKN, TP, K, TDS, Dissolved Oxygen*, BOD 5, TSS, Total & Fecal Coliforms
- E2 EC,* Temp*, pH*, NO3-N, NH4-N*, Turbidity, TP, Dissolved Oxygen*, Total & Fecal Coliforms
- E3 EC*, Temp*, pH*, NO3-N, NH4-N*, TP, Total & Fecal Coliforms
- E4 EC*, Temp*, pH*, NO3-N, NH4-N*, Turbidity, TP, Total & Fecal Coliform

**MANURE**
- M1 % Moisture
- M3 TN TP, K, % Moisture
- M4 Ca, Mg, Na, Bicarb, Carb, SO4, Cl, Ash
- M7 Combination of M3 & M4

**PLANT TISSUE**
- F18 % Moisture, Ash, TN, P, K, DM and as received
- F18+ % Moisture, Ash, TN, P, K, DM and as received (Package also includes NIR DCAD)
- F19+ % Moisture, TN (Package includes complete plant tissue analysis)

**SOIL**
- K3 Soluble Phosphorus
- K4 1ft NO3, Organic Matter
- K5 Pre-Plant (2ft NO3), Fall (1-2ft NO3), Fall (2-3ft NO3)
- K6 0-1ft EC, NO3, Soluble P, K, Organic Matter
- K7 Combination of K3 & K4
- K8 Combination of K3 & K5

| | Date Collected | Time Collected | Sample ID | Description | Temp | Well Purge | Analysis: H1 | H3 | M3 | F18 | OTHER |
|---|---|---|---|---|---|---|---|---|---|---|---|
| 1 | 12/9 | 11:22 | DW#11 Marty's E2 | old #20 | 19.2° | | ✓ | | | | |
| 2 | " | 11:24 | DW#12 4413 SPF | old # Dairy 3 | 19.2° | | ✓ | | | | |
| 3 | " | 11:26 | DW#13 S.3630 SPF | | 19.8 | | ✓ | | | | |
| 4 | " | 11:28 | DW#14 N.3630 SPF | | 19.6° | | ✓ | | | | |
| 5 | " | 11:30 | #15 3597 SPF | | 19.8° | | ✓ | | | | |
| 6 | " | 11:32 | DW#16 3237 SPF | | 19.8° | | ✓ | | | | |
| 7 | " | 11:35 | #17 Reis Dairy | | 18.8° | | ✓ | | | | |
| 8 | " | 11:37 | #18 3303 washington | | 18.8° | | ✓ | | | | |
| 9 | | | | | | | | | | | |
| 10 | | | | | | | | | | | |

**CHAIN OF CUSTODY RECORDING**

| | Signature | Company | Received Date & Time | Relinquished Date & Time | (LABORATORY USE ONLY) Logged in By: | LABORATORY NUMBER |
|---|---|---|---|---|---|---|
| 1st | Mark Latter | | | | | |
| 2nd | | DENELE ANALYTICAL, INC. | 12-9-22 1:00 | | | T2343009 |

# GJ Silva Inc. 2023 Annual Report

Final Audit Report 2024-06-27

| | |
|---|---|
| Created: | 2024-06-27 |
| By: | Joe Ramos (jramos@fragservices.com) |
| Status: | Signed |
| Transaction ID: | CBJCHBCAABAA5L1SkjFuldxH5CkyX7MY1fvM-ndeu0VV |

## "GJ Silva Inc. 2023 Annual Report" History

Document created by Joe Ramos (jramos@fragservices.com)
2024-06-27 - 5:04:02 PM GMT

Document emailed to susie@gjsilva.com for signature
2024-06-27 - 5:09:43 PM GMT

Email viewed by susie@gjsilva.com
2024-06-27 - 7:55:43 PM GMT

Signer susie@gjsilva.com entered name at signing as Susie Latter
2024-06-27 - 7:57:19 PM GMT

Document e-signed by Susie Latter (susie@gjsilva.com)
Signature Date: 2024-06-27 - 7:57:21 PM GMT - Time Source: server

Agreement completed.
2024-06-27 - 7:57:21 PM GMT

Adobe Acrobat Sign