Annual Report - General Order No. R5-2007-0035
Reporting period 01/01/2023 to 12/31/2023.

DAIRY FACILITY INFORMATION

A. NAME OF DAIRY OR BUSINESS OPERATING THE DAIRY: Couco Creek Dairy Inc.

Physical address of dairy:

Number and Street	City	County	Zip Code
3303 S Washington RD	Turlock	Stanislaus	95380

Street and nearest cross street (if no address):

Date facility was originally placed in operation: 06/01/1961

Regional Water Quality Control Board Basin Plan designation: San Joaquin River Basin

County Assessor Parcel Number(s) for dairy facility:

X044-X039-X001-XXXX X044-X039-X002-XXXX X044-X040-X041-XXXX

B. OPERATORS

Machado, Tony

Operator name: Machado, Tony

Telephone no.: (209) 761-9322 Landline (209) 761-9322 Cellular

Mailing Address Number and Street	City	State	Zip Code
3303 S Washington RD	Turlock	CA	95381

This operator is responsible for paying permit fees.

C. OWNERS

Machado, Tony

Legal owner name: Machado, Tony

Telephone no.: (209) 761-9322 Landline (209) 761-9322 Cellular

Mailing Address Number and Street	City	State	Zip Code
3303 S Washington RD	Turlock	CA	95381

This owner is responsible for paying permit fees.

AVAILABLE NUTRIENTS

A. HERD INFORMATION

	Milk Cows	Dry Cows	Bred Heifers (15-24 mo.)	Heifers (7-14 mo. to breeding)	Calves (4-6 mo.)	Calves (0-3 mo.)
Number open confinement	0	0	0	0	0	0
Number under roof	3,050	437	750	1,000	500	0
Maximum number	3,050	437	750	1,000	500	0
Average number	3,050	437	750	1,000	500	0
Avg live weight (lbs)	1,400	1,450	900	600		

Predominant milk cow breed: Holstein

Average milk production: 75 *pounds per cow per day*

B. MANURE GENERATED

Total manure excreted by the herd: 104,889.66 *tons per reporting period*

Total nitrogen from manure: 1,317,687.32 *lbs per reporting period*

After ammonia losses (30% loss applied): 922,381.12 *lbs per reporting period*

Total phosphorus from manure: 217,914.19 *lbs per reporting period*

Total potassium from manure: 594,122.39 *lbs per reporting period*

Total salt from manure: 1,536,580.65 *lbs per reporting period*

C. PROCESS WASTEWATER GENERATED

Process wastewater generated: 21,030,000 *gallons*

Total nitrogen generated: 164,563.07 *lbs*

Total phosphorus generated: 13,809.81 *lbs*

Total potassium generated: 194,471.63 *lbs*

Total salt generated: 1,546,116.54 *lbs*

	21,030,000	*gallons applied*
+	0	*gallons exported*
-	0	*gallons imported*
=	21,030,000	*gallons generated*

D. FRESH WATER SOURCES

Source Description	Type
TID Lateral 5	Surface water

E. SUBSURFACE (TILE) DRAINAGE SOURCES

No subsurface (tile) drainage sources entered.

F. NUTRIENT IMPORTS

No dry manure nutrient imports entered.

No process wastewater nutrient imports entered.

No commercial or other nutrient imports entered.

G. NUTRIENT EXPORTS

Date	Material type	Quantity	Reporting basis	Moisture (%)	Density (lbs/cu ft)	N (mg/kg)	P (mg/kg)	K (mg/kg)	Salt (mg/kg)	TFS (%)
02/01/2023	Compost	334.60 *ton*	Dry-weight	39.7		15,200.00	4,500.00	19,300.00		65.00
03/01/2023	Compost	157.50 *ton*	Dry-weight	39.7		15,200.00	4,500.00	19,300.00		65.00
04/01/2023	Compost	726.70 *ton*	Dry-weight	39.7		15,200.00	4,500.00	19,300.00		65.00
05/01/2023	Compost	2,614.40 *ton*	Dry-weight	39.7		15,200.00	4,500.00	19,300.00		65.00
06/01/2023	Compost	1,038.90 *ton*	Dry-weight	39.7		15,200.00	4,500.00	19,300.00		65.00
07/01/2023	Compost	1,446.10 *ton*	Dry-weight	38.8		16,000.00	5,550.00	13,300.00		66.80
08/01/2023	Compost	2,643.40 *ton*	Dry-weight	38.8		16,000.00	5,550.00	13,300.00		66.80
09/01/2023	Compost	1,761.40 *ton*	Dry-weight	38.8		16,000.00	5,550.00	13,300.00		66.80
10/01/2023	Compost	2,243.30 *ton*	Dry-weight	38.8		16,000.00	5,550.00	13,300.00		66.80
11/01/2023	Compost	76.80 *ton*	Dry-weight	38.8		16,000.00	5,550.00	13,300.00		66.80
12/01/2023	Compost	1,969.40 *ton*	Dry-weight	38.8		16,000.00	5,550.00	13,300.00		66.80

No liquid nutrient exports entered.

Material type	Total N (lbs)	Total P (lbs)	Total K (lbs)	Total salt (lbs)
Dry manure	287,901.03	95,326.65	278,479.62	12,110,354.72
Process wastewater	0.00	0.00	0.00	0.00
Total exports for all materials	287,901.03	95,326.65	278,479.62	12,110,354.72

APPLICATION AREA

A. LIST OF LAND APPLICATION AREAS

Field name	Controlled acres	Cropable acres	Total harvests	Type of waste applied	Parcel number
Chatom	281	281	2	process wastewater	X044-X039-X001-XXXX X044-X039-X002-XXXX
Vitorino	29	29	2	process wastewater	X044-X040-X003-XXXX X044-X040-X041-XXXX
Zuber	40	40	2	process wastewater	X057-X015-X034-XXXX
Totals for areas that were used for application	350	350	6		
Totals for areas that were not used for application					
Land application area totals	350	350	6		

B. CROPS AND HARVESTS

Chatom

Field name: Chatom

10/21/2022: Oats, silage-soft dough

Crop: Oats, silage-soft dough Acres planted: 281 Plant date: 10/21/2022

Harvest date	Yield	Reporting basis	Density (lbs/cu ft)	Moisture (%)	N (mg/kg)	P (mg/kg)	K (mg/kg)	Salt (mg/kg)	TFS (%)
05/05/2023	4,495.00 *ton*	As-is		75.2	5,100.00	1,030.00	8,160.00		13.30

	Yield (tons/acre)	Total N (lbs/acre)	Total P (lbs/acre)	Total K (lbs/acre)	Salt (lbs/acre)
Anticipated harvest content	16.00	160.00	25.60	132.80	0.00
Total actual harvest content	16.00	163.16	32.95	261.06	1,055.25

Chatom

06/13/2023: Corn, silage

Crop: Corn, silage Acres planted: 281 Plant date: 06/13/2023

Harvest date	Yield	Reporting basis	Density (lbs/cu ft)	Moisture (%)	N (mg/kg)	P (mg/kg)	K (mg/kg)	Salt (mg/kg)	TFS (%)
09/28/2023	5,401.00 *ton*	As-is		61.0	4,880.00	920.00	6,890.00		6.20

	Yield (tons/acre)	Total N (lbs/acre)	Total P (lbs/acre)	Total K (lbs/acre)	Salt (lbs/acre)
Anticipated harvest content	22.00	176.00	33.00	145.20	0.00
Total actual harvest content	19.22	187.59	35.37	264.86	929.51

Vitorino

Field name: Vitorino

10/17/2022: Oats, silage-soft dough

Crop: Oats, silage-soft dough Acres planted: 29 Plant date: 10/17/2022

Harvest date	Yield	Reporting basis	Density (lbs/cu ft)	Moisture (%)	N (mg/kg)	P (mg/kg)	K (mg/kg)	Salt (mg/kg)	TFS (%)
04/26/2023	503.00 *ton*	As-is		75.2	5,010.00	1,250.00	12,200.00		11.00

	Yield (tons/acre)	Total N (lbs/acre)	Total P (lbs/acre)	Total K (lbs/acre)	Salt (lbs/acre)
Anticipated harvest content	16.00	160.00	25.60	132.80	0.00
Total actual harvest content	17.34	173.80	43.36	423.21	946.33

05/21/2023: Corn, silage

Crop: Corn, silage Acres planted: 29 Plant date: 05/21/2023

Harvest date	Yield	Reporting basis	Density (lbs/cu ft)	Moisture (%)	N (mg/kg)	P (mg/kg)	K (mg/kg)	Salt (mg/kg)	TFS (%)
09/05/2023	608.00 *ton*	As-is		72.3	4,400.00	540.00	7,990.00		8.16

	Yield (tons/acre)	Total N (lbs/acre)	Total P (lbs/acre)	Total K (lbs/acre)	Salt (lbs/acre)
Anticipated harvest content	22.00	176.00	33.00	145.20	0.00
Total actual harvest content	20.97	184.50	22.64	335.03	947.78

Zuber

Field name: Zuber

10/17/2022: Oats, silage-soft dough

Crop: Oats, silage-soft dough Acres planted: 40 Plant date: 10/17/2022

Harvest date	Yield	Reporting basis	Density (lbs/cu ft)	Moisture (%)	N (mg/kg)	P (mg/kg)	K (mg/kg)	Salt (mg/kg)	TFS (%)
04/26/2023	554.00 *ton*	As-is		69.6	6,230.00	1,260.00	11,800.00		21.90

	Yield (tons/acre)	Total N (lbs/acre)	Total P (lbs/acre)	Total K (lbs/acre)	Salt (lbs/acre)
Anticipated harvest content	16.00	160.00	25.60	132.80	0.00
Total actual harvest content	13.85	172.57	34.90	326.86	1,844.16

05/21/2023: Corn, silage

Crop: Corn, silage Acres planted: 40 Plant date: 05/21/2023

Harvest date	Yield	Reporting basis	Density (lbs/cu ft)	Moisture (%)	N (mg/kg)	P (mg/kg)	K (mg/kg)	Salt (mg/kg)	TFS (%)
09/05/2023	746.00 *ton*	As-is		71.6	4,690.00	550.00	7,760.00		8.26

	Yield (tons/acre)	Total N (lbs/acre)	Total P (lbs/acre)	Total K (lbs/acre)	Salt (lbs/acre)
Anticipated harvest content	22.00	176.00	33.00	145.20	0.00
Total actual harvest content	18.65	174.94	20.52	289.45	875.00

NUTRIENT BUDGET

A. LAND APPLICATIONS

Chatom - 10/21/2022: Oats, silage-soft dough

Field name: Chatom

Crop: Oats, silage-soft dough — Plant date: 10/21/2022

Application date	Application method	Precipitation 24 hours prior	Precipitation during application	Precipitation 24 hours following
09/30/2022	Surface (irrigation)	No precipitation	No precipitation	No precipitation

Source description	Material type	N (lbs/acre)	P (lbs/acre)	K (lbs/acre)	Salt (lbs/acre)	Amount
WWS	Process wastewater	77.43	8.01	125.44	629.49	3,840,000.00 *gal*
TID Lateral 5	Surface water	5.18	0.00	0.00	15.40	34,560,000.00 *gal*
Application event totals		82.62	8.01	125.44	644.89	

Application date	Application method	Precipitation 24 hours prior	Precipitation during application	Precipitation 24 hours following
02/23/2023	Surface (irrigation)	No precipitation	No precipitation	No precipitation

Source description	Material type	N (lbs/acre)	P (lbs/acre)	K (lbs/acre)	Salt (lbs/acre)	Amount
WWS	Process wastewater	27.58	3.34	29.41	221.31	1,080,000.00 *gal*
Application event totals		27.58	3.34	29.41	221.31	

Application date	Application method	Precipitation 24 hours prior	Precipitation during application	Precipitation 24 hours following
04/12/2023	Surface (irrigation)	No precipitation	No precipitation	No precipitation

Source description	Material type	N (lbs/acre)	P (lbs/acre)	K (lbs/acre)	Salt (lbs/acre)	Amount
WWS	Process wastewater	112.90	8.30	106.91	872.39	2,880,000.00 *gal*
TID Lateral 5	Surface water	0.00	0.00	0.00	161.65	25,920,000.00 *gal*
Application event totals		112.90	8.30	106.91	1,034.04	

Chatom - 06/13/2023: Corn, silage

Field name: Chatom

Crop: Corn, silage — Plant date: 06/13/2023

Application date	Application method	Precipitation 24 hours prior	Precipitation during application	Precipitation 24 hours following

Chatom - 06/13/2023: Corn, silage

Application date	Application method	Precipitation 24 hours prior	Precipitation during application	Precipitation 24 hours following
05/31/2023	Surface (irrigation)	No precipitation	No precipitation	No precipitation

Source description	Material type	N (lbs/acre)	P (lbs/acre)	K (lbs/acre)	Salt (lbs/acre)	Amount
WWS	Process wastewater	141.12	10.38	133.64	1,090.49	3,600,000.00 *gal*
TID Lateral 5	Surface water	0.00	0.00	0.00	202.06	32,400,000.00 *gal*
Application event totals		141.12	10.38	133.64	1,292.55	

Application date	Application method	Precipitation 24 hours prior	Precipitation during application	Precipitation 24 hours following
07/15/2023	Surface (irrigation)	No precipitation	No precipitation	No precipitation

Source description	Material type	N (lbs/acre)	P (lbs/acre)	K (lbs/acre)	Salt (lbs/acre)	Amount
TID Lateral 5	Surface water	0.00	0.00	0.00	202.06	32,400,000.00 *gal*
Application event totals		0.00	0.00	0.00	202.06	

Application date	Application method	Precipitation 24 hours prior	Precipitation during application	Precipitation 24 hours following
07/26/2023	Surface (irrigation)	No precipitation	No precipitation	No precipitation

Source description	Material type	N (lbs/acre)	P (lbs/acre)	K (lbs/acre)	Salt (lbs/acre)	Amount
WWS	Process wastewater	56.61	4.20	80.75	815.37	2,640,000.00 *gal*
TID Lateral 5	Surface water	0.00	0.00	0.00	148.18	23,760,000.00 *gal*
Application event totals		56.61	4.20	80.75	963.55	

Application date	Application method	Precipitation 24 hours prior	Precipitation during application	Precipitation 24 hours following
08/05/2023	Surface (irrigation)	No precipitation	No precipitation	No precipitation

Source description	Material type	N (lbs/acre)	P (lbs/acre)	K (lbs/acre)	Salt (lbs/acre)	Amount
TID Lateral 5	Surface water	0.00	0.00	0.00	195.33	31,320,000.00 *gal*
Application event totals		0.00	0.00	0.00	195.33	

Application date	Application method	Precipitation 24 hours prior	Precipitation during application	Precipitation 24 hours following
08/16/2023	Surface (irrigation)	No precipitation	No precipitation	No precipitation

Source description	Material type	N (lbs/acre)	P (lbs/acre)	K (lbs/acre)	Salt (lbs/acre)	Amount
WWS	Process wastewater	52.75	3.92	75.25	759.78	2,460,000.00 *gal*
TID Lateral 5	Surface water	0.00	0.00	0.00	138.08	22,140,000.00 *gal*
Application event totals		52.75	3.92	75.25	897.86	

Chatom - 06/13/2023: Corn, silage

Application date	Application method	Precipitation 24 hours prior	Precipitation during application	Precipitation 24 hours following
08/27/2023	Surface (irrigation)	No precipitation	No precipitation	No precipitation

Source description	Material type	N (lbs/acre)	P (lbs/acre)	K (lbs/acre)	Salt (lbs/acre)	Amount
TID Lateral 5	Surface water	0.00	0.00	0.00	185.22	29,700,000.00 *gal*
Application event totals		0.00	0.00	0.00	185.22	

Application date	Application method	Precipitation 24 hours prior	Precipitation during application	Precipitation 24 hours following
09/07/2023	Surface (irrigation)	No precipitation	No precipitation	No precipitation

Source description	Material type	N (lbs/acre)	P (lbs/acre)	K (lbs/acre)	Salt (lbs/acre)	Amount
TID Lateral 5	Surface water	0.00	0.00	0.00	175.12	28,080,000.00 *gal*
Application event totals		0.00	0.00	0.00	175.12	

Vitorino - 10/17/2022: Oats, silage-soft dough

Field name: Vitorino

Crop: Oats, silage-soft dough

Plant date: 10/17/2022

Application date	Application method	Precipitation 24 hours prior	Precipitation during application	Precipitation 24 hours following
09/28/2022	Surface (irrigation)	No precipitation	No precipitation	No precipitation

Source description	Material type	N (lbs/acre)	P (lbs/acre)	K (lbs/acre)	Salt (lbs/acre)	Amount
WWS	Process wastewater	70.34	7.27	113.95	571.83	360,000.00 *gal*
TID Lateral 5	Surface water	4.71	0.00	0.00	13.99	3,240,000.00 *gal*
Application event totals		75.05	7.27	113.95	585.82	

Application date	Application method	Precipitation 24 hours prior	Precipitation during application	Precipitation 24 hours following
02/16/2023	Surface (irrigation)	No precipitation	No precipitation	No precipitation

Source description	Material type	N (lbs/acre)	P (lbs/acre)	K (lbs/acre)	Salt (lbs/acre)	Amount
WWS	Process wastewater	74.24	8.98	79.16	595.66	300,000.00 *gal*
Application event totals		74.24	8.98	79.16	595.66	

Vitorino - 10/17/2022: Oats, silage-soft dough

Application date	Application method	Precipitation 24 hours prior	Precipitation during application	Precipitation 24 hours following
03/30/2023	Surface (irrigation)	No precipitation	No precipitation	No precipitation

Source description	Material type	N (lbs/acre)	P (lbs/acre)	K (lbs/acre)	Salt (lbs/acre)	Amount
WWS	Process wastewater	85.38	10.32	91.04	685.01	345,000.00 *gal*
TID Lateral 5	Surface water	0.00	0.00	0.00	195.79	3,240,000.00 *gal*
Application event totals		85.38	10.32	91.04	880.80	

Vitorino - 05/21/2023: Corn, silage

Field name: Vitorino

Crop: Corn, silage

Plant date: 05/21/2023

Application date	Application method	Precipitation 24 hours prior	Precipitation during application	Precipitation 24 hours following
05/10/2023	Surface (irrigation)	No precipitation	No precipitation	No precipitation

Source description	Material type	N (lbs/acre)	P (lbs/acre)	K (lbs/acre)	Salt (lbs/acre)	Amount
WWS	Process wastewater	136.74	10.06	129.49	1,056.65	360,000.00 *gal*
TID Lateral 5	Surface water	0.00	0.00	0.00	195.79	3,240,000.00 *gal*
Application event totals		136.74	10.06	129.49	1,252.44	

06/23/2023	Surface (irrigation)	No precipitation	No precipitation	No precipitation

Source description	Material type	N (lbs/acre)	P (lbs/acre)	K (lbs/acre)	Salt (lbs/acre)	Amount
TID Lateral 5	Surface water	0.00	0.00	0.00	195.79	3,240,000.00 *gal*
Application event totals		0.00	0.00	0.00	195.79	

07/04/2023	Surface (irrigation)	No precipitation	No precipitation	No precipitation

Source description	Material type	N (lbs/acre)	P (lbs/acre)	K (lbs/acre)	Salt (lbs/acre)	Amount
TID Lateral 5	Surface water	0.00	0.00	0.00	195.79	3,240,000.00 *gal*
Application event totals		0.00	0.00	0.00	195.79	

Vitorino - 05/21/2023: Corn, silage

Application date	Application method	Precipitation 24 hours prior	Precipitation during application	Precipitation 24 hours following
07/14/2023	Surface (irrigation)	No precipitation	No precipitation	No precipitation

Source description	Material type	N (lbs/acre)	P (lbs/acre)	K (lbs/acre)	Salt (lbs/acre)	Amount
WWS	Process wastewater	62.33	4.63	88.92	897.81	300,000.00 *gal*
TID Lateral 5	Surface water	0.00	0.00	0.00	163.16	2,700,000.00 *gal*
Application event totals		62.33	4.63	88.92	1,060.97	

Application date	Application method	Precipitation 24 hours prior	Precipitation during application	Precipitation 24 hours following
07/25/2023	Surface (irrigation)	No precipitation	No precipitation	No precipitation

Source description	Material type	N (lbs/acre)	P (lbs/acre)	K (lbs/acre)	Salt (lbs/acre)	Amount
TID Lateral 5	Surface water	0.00	0.00	0.00	195.79	3,240,000.00 *gal*
Application event totals		0.00	0.00	0.00	195.79	

Application date	Application method	Precipitation 24 hours prior	Precipitation during application	Precipitation 24 hours following
08/04/2023	Surface (irrigation)	No precipitation	No precipitation	No precipitation

Source description	Material type	N (lbs/acre)	P (lbs/acre)	K (lbs/acre)	Salt (lbs/acre)	Amount
WWS	Process wastewater	56.10	4.16	80.03	808.03	270,000.00 *gal*
TID Lateral 5	Surface water	0.00	0.00	0.00	146.84	2,430,000.00 *gal*
Application event totals		56.10	4.16	80.03	954.87	

Application date	Application method	Precipitation 24 hours prior	Precipitation during application	Precipitation 24 hours following
08/15/2023	Surface (irrigation)	No precipitation	No precipitation	No precipitation

Source description	Material type	N (lbs/acre)	P (lbs/acre)	K (lbs/acre)	Salt (lbs/acre)	Amount
TID Lateral 5	Surface water	0.00	0.00	0.00	179.48	2,970,000.00 *gal*
Application event totals		0.00	0.00	0.00	179.48	

Zuber - 10/17/2022: Oats, silage-soft dough

Field name: Zuber

Crop: Oats, silage-soft dough

Plant date: 10/17/2022

Application date	Application method	Precipitation 24 hours prior	Precipitation during application	Precipitation 24 hours following

Zuber - 10/17/2022: Oats, silage-soft dough

Application date	Application method	Precipitation 24 hours prior	Precipitation during application	Precipitation 24 hours following
09/28/2022	Surface (irrigation)	No precipitation	No precipitation	No precipitation

Source description	Material type	N (lbs/acre)	P (lbs/acre)	K (lbs/acre)	Salt (lbs/acre)	Amount
WWS	Process wastewater	68.00	7.03	110.15	552.77	480,000.00 *gal*
TID Lateral 5	Surface water	4.55	0.00	0.00	13.52	4,320,000.00 *gal*
Application event totals		72.55	7.03	110.15	566.29	

02/17/2023	Surface (irrigation)	No precipitation	No precipitation	No precipitation

Source description	Material type	N (lbs/acre)	P (lbs/acre)	K (lbs/acre)	Salt (lbs/acre)	Amount
WWS	Process wastewater	86.12	10.41	91.83	690.97	480,000.00 *gal*
Application event totals		86.12	10.41	91.83	690.97	

03/30/2023	Surface (irrigation)	No precipitation	No precipitation	No precipitation

Source description	Material type	N (lbs/acre)	P (lbs/acre)	K (lbs/acre)	Salt (lbs/acre)	Amount
WWS	Process wastewater	72.66	8.79	77.48	583.00	405,000.00 *gal*
TID Lateral 5	Surface water	0.00	0.00	0.00	165.61	3,780,000.00 *gal*
Application event totals		72.66	8.79	77.48	748.61	

Zuber - 05/21/2023: Corn, silage

Field name: Zuber

Crop: Corn, silage

Plant date: 05/21/2023

Application date	Application method	Precipitation 24 hours prior	Precipitation during application	Precipitation 24 hours following
05/10/2023	Surface (irrigation)	No precipitation	No precipitation	No precipitation

Source description	Material type	N (lbs/acre)	P (lbs/acre)	K (lbs/acre)	Salt (lbs/acre)	Amount
WWS	Process wastewater	132.18	9.72	125.18	1,021.43	480,000.00 *gal*
TID Lateral 5	Surface water	0.00	0.00	0.00	189.26	4,320,000.00 *gal*
Application event totals		132.18	9.72	125.18	1,210.69	

Zuber - 05/21/2023: Corn, silage

Application date	Application method	Precipitation 24 hours prior	Precipitation during application	Precipitation 24 hours following
06/23/2023	Surface (irrigation)	No precipitation	No precipitation	No precipitation

Source description	Material type	N (lbs/acre)	P (lbs/acre)	K (lbs/acre)	Salt (lbs/acre)	Amount
TID Lateral 5	Surface water	0.00	0.00	0.00	189.26	4,320,000.00 *gal*
Application event totals		0.00	0.00	0.00	189.26	

Application date	Application method	Precipitation 24 hours prior	Precipitation during application	Precipitation 24 hours following
07/04/2023	Surface (irrigation)	No precipitation	No precipitation	No precipitation

Source description	Material type	N (lbs/acre)	P (lbs/acre)	K (lbs/acre)	Salt (lbs/acre)	Amount
WWS	Process wastewater	58.74	4.36	83.80	846.18	390,000.00 *gal*
TID Lateral 5	Surface water	0.00	0.00	0.00	153.78	3,510,000.00 *gal*
Application event totals		58.74	4.36	83.80	999.96	

Application date	Application method	Precipitation 24 hours prior	Precipitation during application	Precipitation 24 hours following
07/14/2023	Surface (irrigation)	No precipitation	No precipitation	No precipitation

Source description	Material type	N (lbs/acre)	P (lbs/acre)	K (lbs/acre)	Salt (lbs/acre)	Amount
TID Lateral 5	Surface water	0.00	0.00	0.00	189.26	4,320,000.00 *gal*
Application event totals		0.00	0.00	0.00	189.26	

Application date	Application method	Precipitation 24 hours prior	Precipitation during application	Precipitation 24 hours following
07/25/2023	Surface (irrigation)	No precipitation	No precipitation	No precipitation

Source description	Material type	N (lbs/acre)	P (lbs/acre)	K (lbs/acre)	Salt (lbs/acre)	Amount
TID Lateral 5	Surface water	0.00	0.00	0.00	189.26	4,320,000.00 *gal*
Application event totals		0.00	0.00	0.00	189.26	

Application date	Application method	Precipitation 24 hours prior	Precipitation during application	Precipitation 24 hours following
08/04/2023	Surface (irrigation)	No precipitation	No precipitation	No precipitation

Source description	Material type	N (lbs/acre)	P (lbs/acre)	K (lbs/acre)	Salt (lbs/acre)	Amount
WWS	Process wastewater	54.23	4.03	77.36	781.09	360,000.00 *gal*
TID Lateral 5	Surface water	0.00	0.00	0.00	141.95	3,240,000.00 *gal*
Application event totals		54.23	4.03	77.36	923.04	

Application date	Application method	Precipitation 24 hours prior	Precipitation during application	Precipitation 24 hours following
08/15/2023	Surface (irrigation)	No precipitation	No precipitation	No precipitation

Source description	Material type	N (lbs/acre)	P (lbs/acre)	K (lbs/acre)	Salt (lbs/acre)	Amount
TID Lateral 5	Surface water	0.00	0.00	0.00	189.26	4,320,000.00 *gal*
Application event totals		0.00	0.00	0.00	189.26	

B. NUTRIENT BUDGET

Chatom - 10/21/2022: Oats, silage-soft dough

Field name: Chatom | Crop: Oats, silage-soft dough | Plant date: 10/21/2022

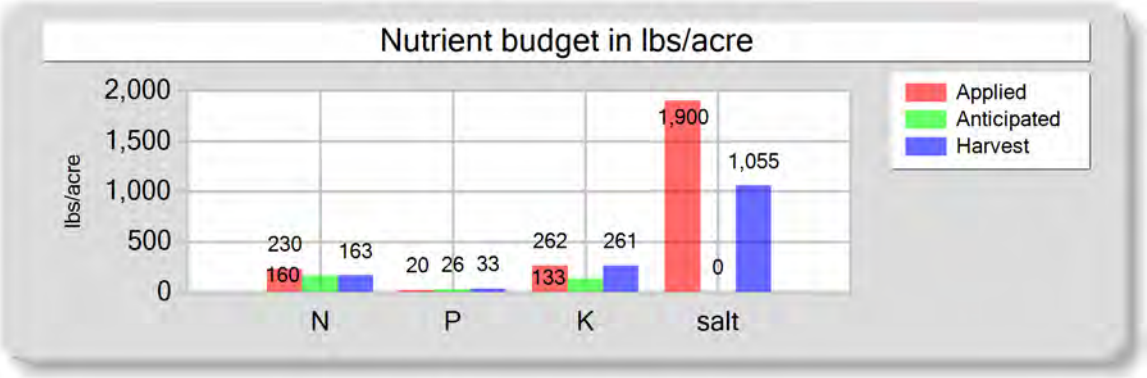

	Total N (lbs/acre)	Total P (lbs/acre)	Total K (lbs/acre)	Total salt (lbs/acre)
Existing soil nutrient content	0.00	0.00	0.00	0.00
Plowdown credit	0.00	0.00	0.00	0.00
Commercial fertilizer / Other	0.00	0.00	0.00	0.00
Dry manure	0.00	0.00	0.00	0.00
Process wastewater	217.91	19.65	261.76	1,723.19
Fresh water	5.18	0.00	0.00	177.04
Atmospheric deposition	7.00	0.00	0.00	0.00
Total nutrients applied	230.10	19.65	261.76	1,900.24
Anticipated crop nutrient removal	160.00	25.60	132.80	0.00
Actual crop nutrient removal	163.16	32.95	261.06	1,055.25
Nutrient balance	66.93	-13.31	0.70	844.98
Applied to removed ratio	1.41	0.60	1.00	1.80

Fresh water applied	
60,480,000.00	*gallons*
2,227.27	*acre-inches*
7.93	*inches/acre*

Process wastewater applied	
7,800,000.00	*gallons*
287.25	*acre-inches*
1.02	*inches/acre*

Total harvests for the crop	
1	*harvests*

Chatom - 06/13/2023: Corn, silage

Field name: Chatom Crop: Corn, silage Plant date: 06/13/2023

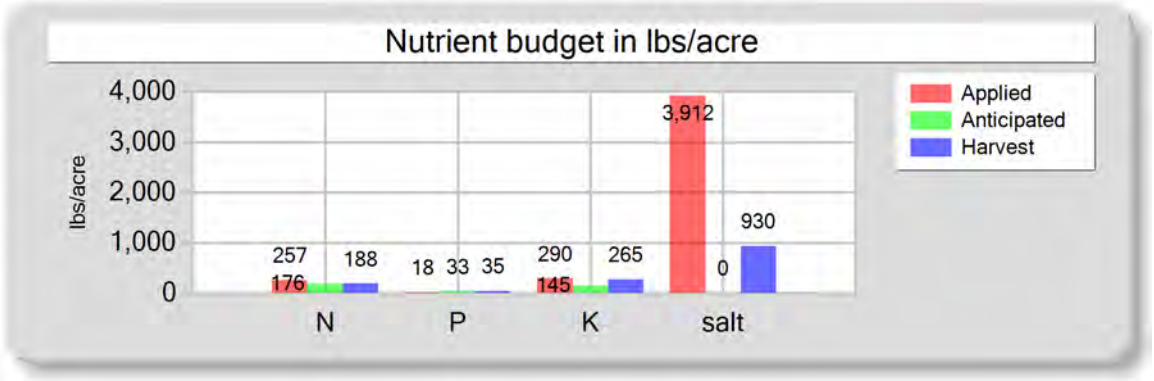

	Total N (lbs/acre)	Total P (lbs/acre)	Total K (lbs/acre)	Total salt (lbs/acre)
Existing soil nutrient content	0.00	0.00	0.00	0.00
Plowdown credit	0.00	0.00	0.00	0.00
Commercial fertilizer / Other	0.00	0.00	0.00	0.00
Dry manure	0.00	0.00	0.00	0.00
Process wastewater	250.47	18.50	289.64	2,665.65
Fresh water	0.00	0.00	0.00	1,246.05
Atmospheric deposition	7.00	0.00	0.00	0.00
Total nutrients applied	257.47	18.50	289.64	3,911.70
Anticipated crop nutrient removal	176.00	33.00	145.20	0.00
Actual crop nutrient removal	187.59	35.37	264.86	929.51
Nutrient balance	69.88	-16.87	24.78	2,982.19
Applied to removed ratio	1.37	0.52	1.09	4.21

Fresh water applied	
199,800,000.00	*gallons*
7,357.95	*acre-inches*
26.18	*inches/acre*

Process wastewater applied	
8,700,000.00	*gallons*
320.39	*acre-inches*
1.14	*inches/acre*

Total harvests for the crop	
1	*harvests*

Vitorino - 10/17/2022: Oats, silage-soft dough

Field name: Vitorino | Crop: Oats, silage-soft dough | Plant date: 10/17/2022

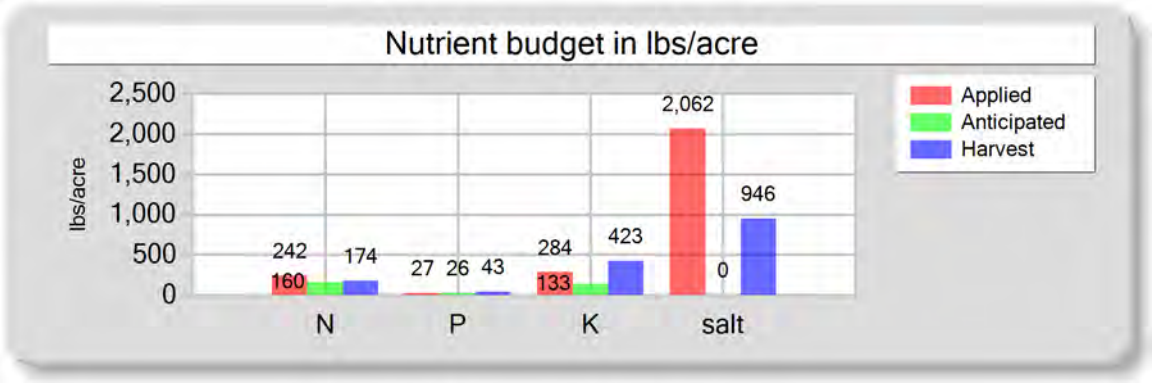

	Total N (lbs/acre)	Total P (lbs/acre)	Total K (lbs/acre)	Total salt (lbs/acre)
Existing soil nutrient content	0.00	0.00	0.00	0.00
Plowdown credit	0.00	0.00	0.00	0.00
Commercial fertilizer / Other	0.00	0.00	0.00	0.00
Dry manure	0.00	0.00	0.00	0.00
Process wastewater	229.96	26.58	284.15	1,852.50
Fresh water	4.71	0.00	0.00	209.78
Atmospheric deposition	7.00	0.00	0.00	0.00
Total nutrients applied	241.67	26.58	284.15	2,062.28
Anticipated crop nutrient removal	160.00	25.60	132.80	0.00
Actual crop nutrient removal	173.80	43.36	423.21	946.33
Nutrient balance	67.87	-16.79	-139.06	1,115.95
Applied to removed ratio	1.39	0.61	0.67	2.18

Fresh water applied	
6,480,000.00	*gallons*
238.64	*acre-inches*
8.23	*inches/acre*

Process wastewater applied	
1,005,000.00	*gallons*
37.01	*acre-inches*
1.28	*inches/acre*

Total harvests for the crop	
1	*harvests*

Vitorino - 05/21/2023: Corn, silage

Field name: Vitorino Crop: Corn, silage Plant date: 05/21/2023

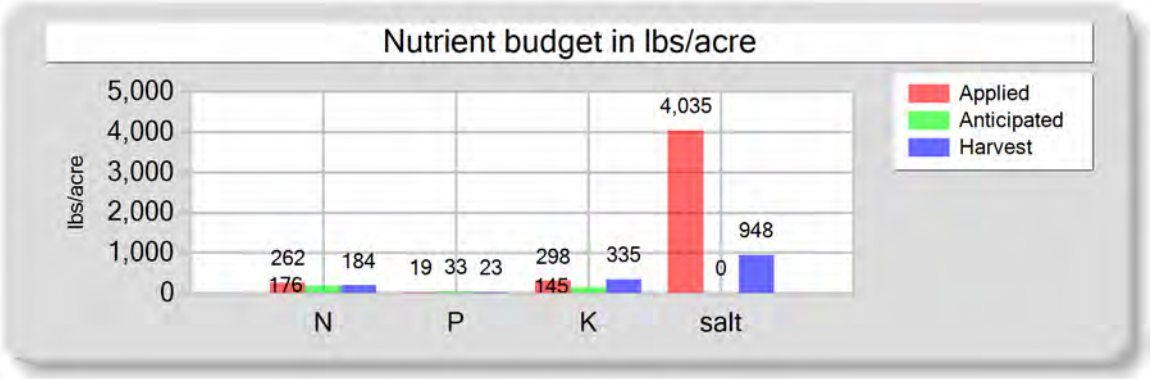

	Total N (lbs/acre)	Total P (lbs/acre)	Total K (lbs/acre)	Total salt (lbs/acre)
Existing soil nutrient content	0.00	0.00	0.00	0.00
Plowdown credit	0.00	0.00	0.00	0.00
Commercial fertilizer / Other	0.00	0.00	0.00	0.00
Dry manure	0.00	0.00	0.00	0.00
Process wastewater	255.17	18.85	298.43	2,762.48
Fresh water	0.00	0.00	0.00	1,272.64
Atmospheric deposition	7.00	0.00	0.00	0.00
Total nutrients applied	262.17	18.85	298.43	4,035.12
Anticipated crop nutrient removal	176.00	33.00	145.20	0.00
Actual crop nutrient removal	184.50	22.64	335.03	947.78
Nutrient balance	77.67	-3.79	-36.59	3,087.35
Applied to removed ratio	1.42	0.83	0.89	4.26

Fresh water applied	
21,060,000.00	*gallons*
775.57	*acre-inches*
26.74	*inches/acre*

Process wastewater applied	
930,000.00	*gallons*
34.25	*acre-inches*
1.18	*inches/acre*

Total harvests for the crop	
1	*harvests*

Zuber - 10/17/2022: Oats, silage-soft dough

Field name: Zuber | Crop: Oats, silage-soft dough | Plant date: 10/17/2022

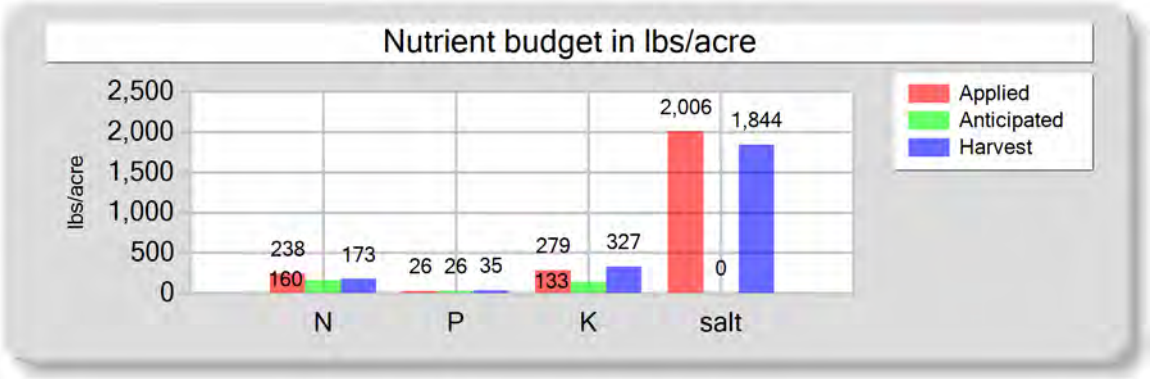

	Total N (lbs/acre)	Total P (lbs/acre)	Total K (lbs/acre)	Total salt (lbs/acre)
Existing soil nutrient content	0.00	0.00	0.00	0.00
Plowdown credit	0.00	0.00	0.00	0.00
Commercial fertilizer / Other	0.00	0.00	0.00	0.00
Dry manure	0.00	0.00	0.00	0.00
Process wastewater	226.78	26.23	279.46	1,826.74
Fresh water	4.55	0.00	0.00	179.13
Atmospheric deposition	7.00	0.00	0.00	0.00
Total nutrients applied	238.33	26.23	279.46	2,005.87
Anticipated crop nutrient removal	160.00	25.60	132.80	0.00
Actual crop nutrient removal	172.57	34.90	326.86	1,844.16
Nutrient balance	65.76	-8.67	-47.40	161.71
Applied to removed ratio	1.38	0.75	0.85	1.09

Fresh water applied	
8,100,000.00	*gallons*
298.30	*acre-inches*
7.46	*inches/acre*

Process wastewater applied	
1,365,000.00	*gallons*
50.27	*acre-inches*
1.26	*inches/acre*

Total harvests for the crop	
1	*harvests*

Zuber - 05/21/2023: Corn, silage

Field name: Zuber Crop: Corn, silage Plant date: 05/21/2023

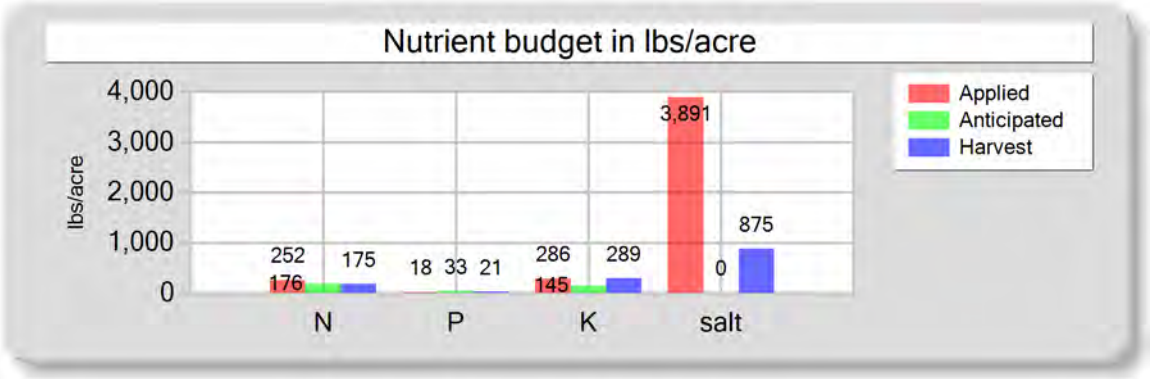

	Total N (lbs/acre)	Total P (lbs/acre)	Total K (lbs/acre)	Total salt (lbs/acre)
Existing soil nutrient content	0.00	0.00	0.00	0.00
Plowdown credit	0.00	0.00	0.00	0.00
Commercial fertilizer / Other	0.00	0.00	0.00	0.00
Dry manure	0.00	0.00	0.00	0.00
Process wastewater	245.16	18.11	286.34	2,648.70
Fresh water	0.00	0.00	0.00	1,242.05
Atmospheric deposition	7.00	0.00	0.00	0.00
Total nutrients applied	252.16	18.11	286.34	3,890.75
Anticipated crop nutrient removal	176.00	33.00	145.20	0.00
Actual crop nutrient removal	174.94	20.52	289.45	875.00
Nutrient balance	77.22	-2.40	-3.11	3,015.75
Applied to removed ratio	1.44	0.88	0.99	4.45

Fresh water applied	
28,350,000.00	*gallons*
1,044.03	*acre-inches*
26.10	*inches/acre*

Process wastewater applied	
1,230,000.00	*gallons*
45.30	*acre-inches*
1.13	*inches/acre*

Total harvests for the crop	
1	*harvests*

NUTRIENT ANALYSES

A. MANURE ANALYSES

Compost

Sample and source description: Compost

Sample date: 05/18/2023 Material type: Compost Source of analysis: Lab analysis Method of reporting: Dry-weight

Moisture: 39.7 %

	Total N (mg/kg)	Total P (mg/kg)	Total K (mg/kg)	Calcium (mg/kg)	Magnesium (mg/kg)	Sodium (mg/kg)	Sulfur (mg/kg)	Chloride (mg/kg)	Total salt (mg/kg)	TFS (%)
Value	15,200.00	4,500.00	19,300.00	0.00	0.00	0.00	0.00	0.00		65.00
DL	100.00	100.00	100.00	100.00	100.00	100.00	100.00	50.00		0.01

Separator Solids

Sample and source description: Separator Solids

Sample date: 05/18/2023 Material type: Separator solids Source of analysis: Lab analysis Method of reporting: Dry-weight

Moisture: 75.1 %

	Total N (mg/kg)	Total P (mg/kg)	Total K (mg/kg)	Calcium (mg/kg)	Magnesium (mg/kg)	Sodium (mg/kg)	Sulfur (mg/kg)	Chloride (mg/kg)	Total salt (mg/kg)	TFS (%)
Value	19,200.00	3,450.00	9,810.00	0.00	0.00	0.00	0.00	0.00		15.50
DL	100.00	100.00	100.00	100.00	100.00	100.00	100.00	50.00		0.01

Compost

Sample and source description: Compost

Sample date: 10/12/2023 Material type: Compost Source of analysis: Lab analysis Method of reporting: Dry-weight

Moisture: 38.8 %

	Total N (mg/kg)	Total P (mg/kg)	Total K (mg/kg)	Calcium (mg/kg)	Magnesium (mg/kg)	Sodium (mg/kg)	Sulfur (mg/kg)	Chloride (mg/kg)	Total salt (mg/kg)	TFS (%)
Value	16,000.00	5,550.00	13,300.00	0.00	0.00	0.00	0.00	0.00		66.80
DL	100.00	100.00	100.00	100.00	100.00	100.00	100.00	50.00		0.01

Separator Solids

Sample and source description: Separator Solids

Sample date: 10/12/2023 Material type: Separator solids Source of analysis: Lab analysis Method of reporting: Dry-weight

Moisture: 76.2 %

	Total N (mg/kg)	Total P (mg/kg)	Total K (mg/kg)	Calcium (mg/kg)	Magnesium (mg/kg)	Sodium (mg/kg)	Sulfur (mg/kg)	Chloride (mg/kg)	Total salt (mg/kg)	TFS (%)
Value	18,400.00	4,540.00	10,000.00	0.00	0.00	0.00	0.00	0.00		21.00
DL	100.00	100.00	100.00	100.00	100.00	100.00	100.00	50.00		0.01

B. PROCESS WASTEWATER ANALYSES

WWQ3

Sample and source description: WWQ3

Sample date: 08/07/2022 Material type: Process wastewater Source of analysis: Lab analysis pH: 0.00

	Kjeldahl-N (mg/L)	NH4-N (mg/L)	NH3-N (mg/L)	Nitrate-N (mg/L)	Total P (mg/L)	Total K (mg/L)	Calcium (mg/L)	Magnes. (mg/L)	Sodium (mg/L)	Bicarb. (mg/L)	Carb. (mg/L)	Sulfate (mg/L)	Chloride (mg/L)	EC (µmhos/cm)	TDS (mg/L)
Value	679.00	272.00	0.00	0.00	70.20	1,100.00	0.00	0.00	0.00	0.00	0.00	0.00	0.00	939.00	5,520
DL	0.50	0.50	0.50	0.50	0.50	0.50	0.50	0.50	0.50	0.50	2.00	1.00	0.10	1.00	10

WWQ1

Sample and source description: WWQ1

Sample date: 02/09/2023 Material type: Process wastewater Source of analysis: Lab analysis pH: 0.00

	Kjeldahl-N (mg/L)	NH4-N (mg/L)	NH3-N (mg/L)	Nitrate-N (mg/L)	Total P (mg/L)	Total K (mg/L)	Calcium (mg/L)	Magnes. (mg/L)	Sodium (mg/L)	Bicarb. (mg/L)	Carb. (mg/L)	Sulfate (mg/L)	Chloride (mg/L)	EC (µmhos/cm)	TDS (mg/L)
Value	860.00	498.00	0.00	0.00	104.00	917.00	0.00	0.00	0.00	0.00	0.00	0.00	0.00	8,890.00	6,900
DL	0.50	0.50	0.50	0.50	0.50	0.50	0.50	0.50	0.50	0.50	2.00	1.00	0.10	1.00	10

WWQ2

Sample and source description: WWQ2

Sample date: 05/18/2023 Material type: Process wastewater Source of analysis: Lab analysis pH: 0.00

	Kjeldahl-N (mg/L)	NH4-N (mg/L)	NH3-N (mg/L)	Nitrate-N (mg/L)	Total P (mg/L)	Total K (mg/L)	Calcium (mg/L)	Magnes. (mg/L)	Sodium (mg/L)	Bicarb. (mg/L)	Carb. (mg/L)	Sulfate (mg/L)	Chloride (mg/L)	EC (µmhos/cm)	TDS (mg/L)
Value	1,320.00	697.00	0.00	0.00	97.10	1,250.00	292.00	186.00	674.00	4,480.00	0.00	262.00	298.00	11,500.00	10,200
DL	0.50	0.50	0.50	0.50	0.50	0.50	0.50	0.50	0.50	0.50	2.00	1.00	0.10	1.00	10

WWQ3

Sample and source description: WWQ3

Sample date: 07/28/2023 Material type: Process wastewater Source of analysis: Lab analysis pH: 0.00

	Kjeldahl-N (mg/L)	NH4-N (mg/L)	NH3-N (mg/L)	Nitrate-N (mg/L)	Total P (mg/L)	Total K (mg/L)	Calcium (mg/L)	Magnes. (mg/L)	Sodium (mg/L)	Bicarb. (mg/L)	Carb. (mg/L)	Sulfate (mg/L)	Chloride (mg/L)	EC (µmhos/cm)	TDS (mg/L)
Value	722.00	560.00	0.00	0.00	53.60	1,030.00	0.00	0.00	0.00	0.00	0.00	0.00	0.00	9,640.00	10,400
DL	0.50	0.50	0.50	0.50	0.50	0.50	0.50	0.50	0.50	0.50	2.00	1.00	0.10	1.00	10

WWQ4

Sample and source description: WWQ4

Sample date: 10/26/2023 Material type: Process wastewater Source of analysis: Lab analysis pH: 0.00

	Kjeldahl-N (mg/L)	NH4-N (mg/L)	NH3-N (mg/L)	Nitrate-N (mg/L)	Total P (mg/L)	Total K (mg/L)	Calcium (mg/L)	Magnes. (mg/L)	Sodium (mg/L)	Bicarb. (mg/L)	Carb. (mg/L)	Sulfate (mg/L)	Chloride (mg/L)	EC (µmhos/cm)	TDS (mg/L)
Value	1,040.00	616.00	0.00	0.00	83.50	1,210.00	0.00	0.00	0.00	0.00	0.00	0.00	0.00	11,600.00	8,280
DL	0.50	0.50	0.50	0.50	0.50	0.50	0.50	0.50	0.50	0.50	2.00	1.00	0.10	1.00	10

C. FRESH WATER ANALYSES

TID Lateral 5

TID Lateral 5

TID Lateral 5

Sample description: TID Lateral 5

Sample date: 08/23/2022 Source of analysis: Lab analysis

	Total N (mg/L)	NH4-N (mg/L)	Nitrate-N (mg/L)	Calcium (mg/L)	Magnesium (mg/L)	Sodium (mg/L)	Bicarbonate (mg/L)	Carbonate (mg/L)	Sulfate (mg/L)	Chloride (mg/L)	EC (µmhos/cm)	TDS (mg/L)
Value	5.05	0.00	0.00	0.00	0.00	0.00	0.00	0.00	0.00	0.00	613.00	15
DL	0.50	0.50	0.50	0.50	0.50	0.50	0.50	2.00	1.00	0.10	1.00	10

TID Canal Lateral 5

Sample description: TID Canal Lateral 5

Sample date: 08/28/2023 Source of analysis: Lab analysis

	Total N (mg/L)	NH4-N (mg/L)	Nitrate-N (mg/L)	Calcium (mg/L)	Magnesium (mg/L)	Sodium (mg/L)	Bicarbonate (mg/L)	Carbonate (mg/L)	Sulfate (mg/L)	Chloride (mg/L)	EC (µmhos/cm)	TDS (mg/L)
Value	0.00	0.00	0.00	0.00	0.00	0.00	0.00	0.00	0.00	0.00	0.00	210
DL	0.50	0.50	0.50	0.50	0.50	0.50	0.50	2.00	1.00	0.10	1.00	10

D. SOIL ANALYSES

Chatom

Soil

Sample and source description: Soil

Sample date: 09/29/2023 Source of analysis: Lab analysis

	Nitrate-N (mg/kg)	Total P (mg/kg)	Soluble P (mg/kg)	K (mg/kg)	EC (µmhos/cm)	Organic matter (%)	Total salt (mg/kg)
Value			106.00				
DL			4.00				

Vitorino

Vitorino

Soil

Sample and source description: Soil

Sample date: 09/07/2023 Source of analysis: Lab analysis

	Nitrate-N (mg/kg)	Total P (mg/kg)	Soluble P (mg/kg)	K (mg/kg)	EC (µmhos/cm)	Organic matter (%)	Total salt (mg/kg)
Value			110.00				
DL			4.00				

Zuber

Soil

Sample and source description: Soil

Sample date: 09/07/2023 Source of analysis: Lab analysis

	Nitrate-N (mg/kg)	Total P (mg/kg)	Soluble P (mg/kg)	K (mg/kg)	EC (µmhos/cm)	Organic matter (%)	Total salt (mg/kg)
Value			71.00				
DL			4.00				

E. PLANT TISSUE ANALYSES

Chatom - 10/21/2022: Oats, silage-soft dough

Forage

Sample and source description: Forage

Sample date: 05/05/2023 Source of analysis: Lab analysis Method of reporting: As-is

Moisture: 75.2 %

	Total N (mg/kg)	Total P (mg/kg)	Total K (mg/kg)	Total salt (mg/kg)	TFS (%)
Value	5,100.00	1,030.00	8,160.00		13.30
DL	100.00	100.00	100.00		0.01

Chatom - 10/21/2022: Oats, silage-soft dough

Forage

Sample and source description: Forage

Sample date: 05/05/2023 Source of analysis: Lab analysis Method of reporting: As-is

Moisture: 77.8 %

	Total N (mg/kg)	Total P (mg/kg)	Total K (mg/kg)	Total salt (mg/kg)	TFS (%)
Value	4,140.00	860.00	7,390.00		11.80
DL	100.00	100.00	100.00		0.01

Forage

Sample and source description: Forage

Sample date: 05/05/2023 Source of analysis: Lab analysis Method of reporting: As-is

Moisture: 76.4 %

	Total N (mg/kg)	Total P (mg/kg)	Total K (mg/kg)	Total salt (mg/kg)	TFS (%)
Value	4,680.00	940.00	7,850.00		5.00
DL	100.00	100.00	100.00		0.01

Forage

Sample and source description: Forage

Sample date: 05/05/2023 Source of analysis: Lab analysis Method of reporting: As-is

Moisture: 78.0 %

	Total N (mg/kg)	Total P (mg/kg)	Total K (mg/kg)	Total salt (mg/kg)	TFS (%)
Value	4,550.00	910.00	7,680.00		11.50
DL	100.00	100.00	100.00		0.01

Chatom - 06/13/2023: Corn, silage

Chatom - 06/13/2023: Corn, silage

Corn Silage

Sample and source description: Corn Silage
Sample date: 09/29/2023 Source of analysis: Lab analysis Method of reporting: As-is
Moisture: 63.2 %

	Total N (mg/kg)	Total P (mg/kg)	Total K (mg/kg)	Total salt (mg/kg)	TFS (%)
Value	4,670.00	920.00	6,840.00		5.40
DL	100.00	100.00	100.00		0.01

Corn Silage

Sample and source description: Corn Silage
Sample date: 09/29/2023 Source of analysis: Lab analysis Method of reporting: As-is
Moisture: 63.4 %

	Total N (mg/kg)	Total P (mg/kg)	Total K (mg/kg)	Total salt (mg/kg)	TFS (%)
Value	4,870.00	870.00	6,440.00		5.90
DL	100.00	100.00	100.00		0.01

Corn Silage

Sample and source description: Corn Silage
Sample date: 09/29/2023 Source of analysis: Lab analysis Method of reporting: As-is
Moisture: 61.0 %

	Total N (mg/kg)	Total P (mg/kg)	Total K (mg/kg)	Total salt (mg/kg)	TFS (%)
Value	4,880.00	920.00	6,890.00		6.20
DL	100.00	100.00	100.00		0.01

Vitorino - 10/17/2022: Oats, silage-soft dough

Vitorino - 10/17/2022: Oats, silage-soft dough

Forage

Sample and source description: Forage

Sample date: 04/27/2023 Source of analysis: Lab analysis Method of reporting: As-is

Moisture: 75.2 %

	Total N (mg/kg)	Total P (mg/kg)	Total K (mg/kg)	Total salt (mg/kg)	TFS (%)
Value	5,010.00	1,250.00	12,200.00		11.00
DL	100.00	100.00	100.00		0.01

Vitorino - 05/21/2023: Corn, silage

Corn Silage

Sample and source description: Corn Silage

Sample date: 09/07/2023 Source of analysis: Lab analysis Method of reporting: As-is

Moisture: 72.3 %

	Total N (mg/kg)	Total P (mg/kg)	Total K (mg/kg)	Total salt (mg/kg)	TFS (%)
Value	4,400.00	540.00	7,990.00		8.16
DL	100.00	100.00	100.00		0.01

Zuber - 10/17/2022: Oats, silage-soft dough

Forage

Sample and source description: Forage

Sample date: 04/27/2023 Source of analysis: Lab analysis Method of reporting: As-is

Moisture: 69.6 %

	Total N (mg/kg)	Total P (mg/kg)	Total K (mg/kg)	Total salt (mg/kg)	TFS (%)
Value	6,230.00	1,260.00	11,800.00		21.90
DL	100.00	100.00	100.00		0.01

Zuber - 05/21/2023: Corn, silage

Corn Silage

Sample and source description: Corn Silage

Sample date: 09/07/2023 Source of analysis: Lab analysis Method of reporting: As-is

Moisture: 71.6 %

	Total N (mg/kg)	Total P (mg/kg)	Total K (mg/kg)	Total salt (mg/kg)	TFS (%)
Value	4,690.00	550.00	7,760.00		8.26
DL	100.00	100.00	100.00		0.01

F. SUBSURFACE (TILE) DRAINAGE ANALYSES

No subsurface (tile) drainage analyses entered.

NUTRIENT APPLICATIONS, POTENTIAL REMOVAL, AND BALANCE

A. SUMMARY OF NUTRIENT APPLICATIONS, POTENTIAL REMOVAL, AND BALANCE

	Total N (lbs)	Total P (lbs)	Total K (lbs)	Total salt (lbs)
Existing soil nutrient content	0.00	0.00	0.00	0.00
Plowdown credit	0.00	0.00	0.00	0.00
Commercial fertilizer / Other	0.00	0.00	0.00	0.00
Dry manure	0.00	0.00	0.00	0.00
Process wastewater	164,563.07	13,809.81	194,471.63	1,546,116.54
Fresh water	1,775.03	0.00	0.00	499,726.14
Atmospheric deposition	4,900.00	0.00	0.00	0.00
Total nutrients applied	171,238.10	13,809.81	194,471.63	2,045,842.68
Anticipated crop nutrient removal	117,600.00	20,510.00	97,300.00	0.00
Actual crop nutrient removal	122,853.54	23,328.36	194,425.54	721,413.83
Nutrient balance	48,384.56	-9,518.55	46.09	1,324,428.84
Applied to removed ratio	1.39	0.59	1.00	2.84

B. POUNDS OF NUTRIENT APPLIED VS. CROP REMOVAL

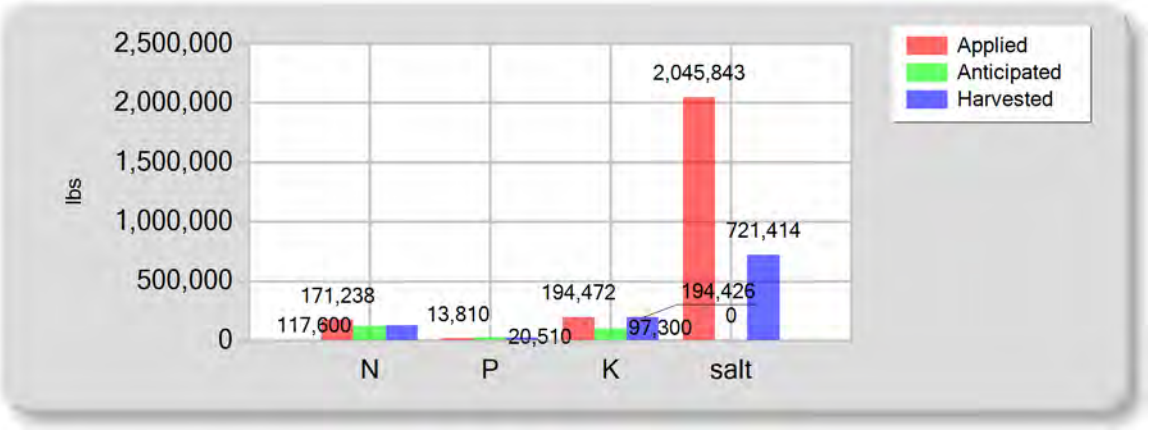

C. POUNDS OF NUTRIENT APPLIED BY MATERIAL TYPE

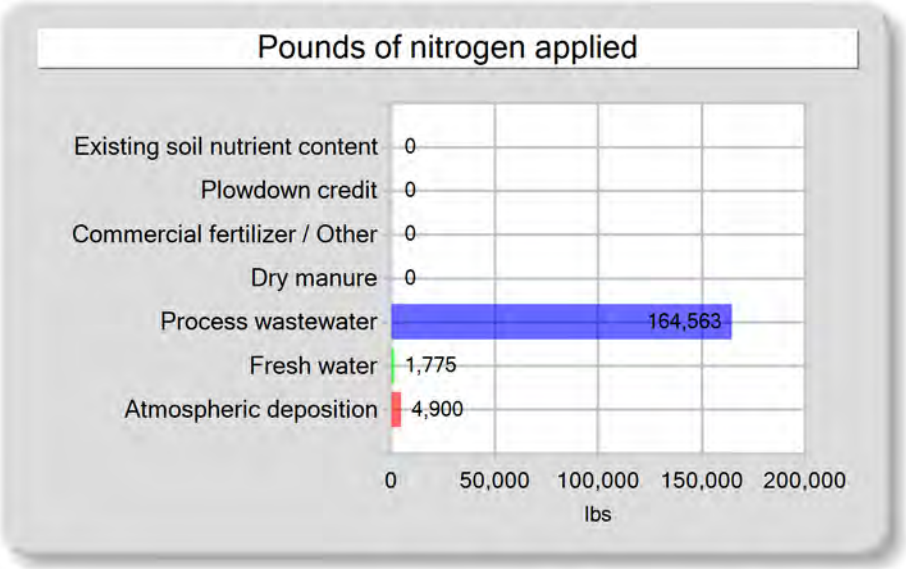

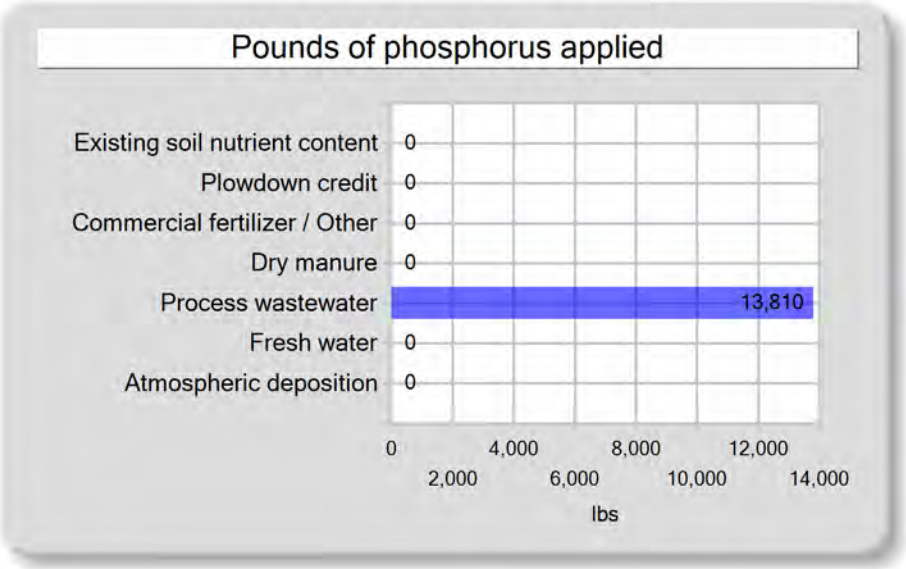

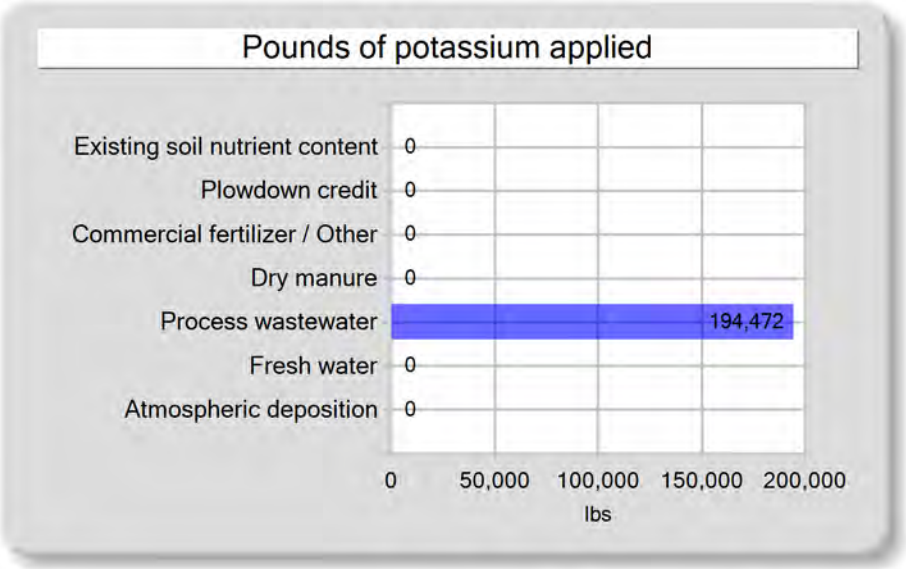

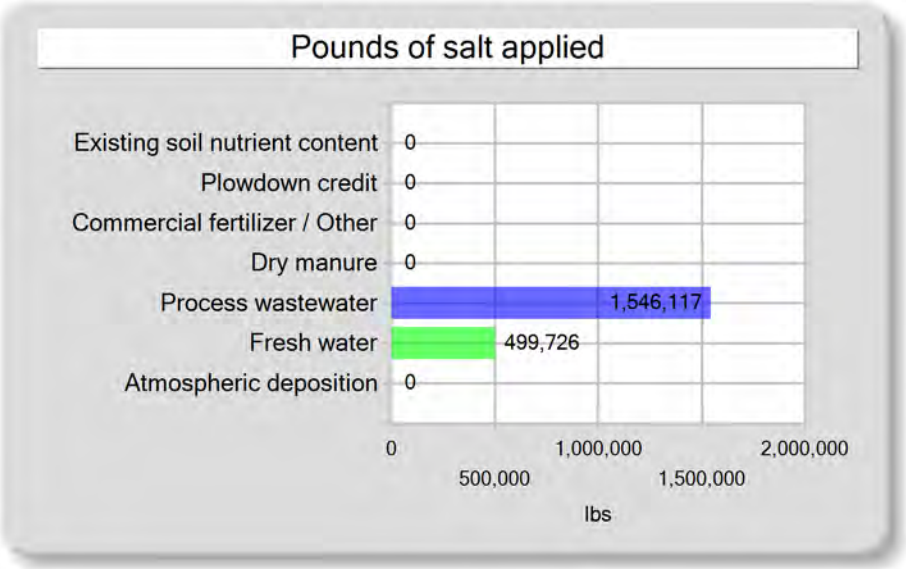

EXCEPTION REPORTING

A. MANURE, PROCESS WASTEWATER, AND OTHER DAIRY WASTE DISCHARGES

The following is a summary of all manure and process wastewater discharges from the production area to surface water or to land areas (land application areas or otherwise) when not in accordance with the facility's Nutrient Management Plan.

No manure or process wastewater discharges occurred during the reporting period.

B. STORM WATER DISCHARGES

The following is a summary of all storm water discharges from the production area to surface water during the reporting period when not in accordance with the facility 's Nutrient Management Plan.

No stormwater discharges occurred during the reporting period.

C. LAND APPLICATION AREA TO SURFACE WATER DISCHARGES

The following is a summary of all discharges from the land application area to surface water that have occurred during the reporting period when not in accordance with the facility's Nutrient Management Plan.

No land application area to surface water discharges occurred during the reporting period.

NUTRIENT MANAGEMENT PLAN AND EXPORT AGREEMENT STATEMENTS

A. NUTRIENT MANAGEMENT PLAN STATEMENTS

Was the facility's NMP updated in the reporting period?	No
Was the facility's NMP developed by a certified nutrient management planner (specialist) as specified in Attachment C of the General Order?	Yes
Was the facility's NMP approved by a certified nutrient management planner (specialist) as specified in Attachment C of the General Order?	Yes

B. EXPORT AGREEMENT STATEMENT

Are there any written agreements with third parties to receive manure or process wastewater that are new or were revised within the reporting period?	No

ADDITIONAL NOTES

A. NOTES

No notes entered for this annual report.

CERTIFICATION

A. OWNER AND/OR OPERATOR CERTIFICATION

I certify under penalty of law that I have personally examined and am familiar with the information submitted in this document and all attachments and that, based on my inquiry of those individuals immediately responsible for obtaining the information, I believe that the information is true, accurate, and complete. I am aware that there are significant penalties for submitting false information, including the possibility of fine and imprisonment.

Tony Machado
Tony Machado (Apr 18, 2024 09:14 PDT)

SIGNATURE OF OWNER OF FACILITY	SIGNATURE OF OPERATOR OF FACILITY
Tony Machado	SAME AS OWNER
PRINT OR TYPE NAME	PRINT OR TYPE NAME
Apr 18, 2024	
DATE	DATE

Annual Report - General Order No. R5-2007-0035
Reporting period 01/01/2023 to 12/31/2023.

ATTACHMENTS

A. REQUIRED ATTACHMENTS

The following lists the required documents that should be attached to the Annual Report when submitted .

Annual Dairy Facility Assessment
Provide an Annual Dairy Facility Assessment (an update to the Preliminary Dairy Facility Assessment in Attachment A) for each reporting period. On the PDFA Final page, click on the ADFA Report button to generate an ADFA report after updating information as needed .

Manure/Process Wastewater Tracking Manifests
Provide copies of all manure/process wastewater tracking manifests for the reporting period, signed by both the owner/operator and the hauler.

Corrective Actions Documents
Provide records documenting any corrective actions taken to correct deficiencies noted as a result of the inspections required in the Monitoring Requirements of the General Order. Deficiencies not corrected in 30 days must be accompanied by an explanation of the factors preventing immediate correction.

Groundwater Monitoring
Dischargers that monitor supply wells or subsurface (tile) drainage systems, or that have monitoring well systems must submit monitoring results as directed in the General Order, Groundwater Reporting Section starting on page MRP-13.

Storm Water Monitoring
Dischargers that are required to monitor storm water more frequently than required in the General Order must submit monitoring results as directed in the General Order, Storm Water Reporting Section on page MRP-14.

ATTACHMENT D

Manure/Process Wastewater Tracking Manifest
For
Existing Milk Cow Dairies

Instructions:

1) Complete one manifest for each hauling event, for each destination. A hauling event may last for several days, as long as the manure is being hauled to the same destination.
2) If there are multiple destinations, **complete a separate form for each destination**.
3) The operator must obtain the signature of the hauler upon completion of each manure-hauling event.
4) The operator shall submit copies of manure/process wastewater tracking manifest(s) with the Annual Monitoring Report for Existing Milk Cow Dairies.

Operator Information:

Name of Operator: TONY MACHADO

Name of Dairy Facility: COUCO CREEK DAIRY INC.

Facility Address: 3303 S. WASHINGTON TURLOCK 95380
Number and Street City Zip Code

Contact Person Name and Phone Number: TONY MACHADO 209-761-9322
Name Phone Number

Manure/Process Wastewater Hauler Information:

Name of Hauling Company/Person: COUCO CREEK DAIRY INC.

Address of Hauling Company /Person: 3303 S. WASHINGTON TURLOCK 95380
Number and Street City Zip Code

Contact Person: TONY MACHADO 209-761-9322
Name Phone Number

Destination Information:

Composting Facility / Broker / Farmer / Other (identify) _____ (please circle one)

Contact information of Composting Facility, Broker, Farmer, or Other (as identified above):

CC DELTA 3303 S. WASHINGTON TURLOCK 95380 209-761-9322
Name Number and Street City Zip Code Phone Number

Manure/Process Wastewater Destination Address or Assessor's Parcel Number:

191-180-002
Number and Street City Zip Code Assessor's Parcel Number

Dates Hauled: 2/1/23

Amount Hauled:

Enter the amount of manure hauled in tons or cubic yards (indicate the units used), the manure solids content (if amount reported in tons) or manure density (if amount reported in cubic yards), and the method used to calculate the amount:

Manure: 334.6 Tons or Cubic Yards (indicate which units used)
Manure Solids Content (if amount reported in tons): 39.7% MOISTURE.
Manure Density (if amount reported in cubic yards): _____

Method used to determine amount of manure: _____

SCALE WEIGHTS

Enter the amount of process wastewater hauled in gallons and the method used to determine the amount.

Process Wastewater: _____ Gallons

Method used to determine volume of process wastewater: _____

_____

Written Agreement:
Does the Operator have a written agreement (in compliance with Land Application Specification C.2 of Waste Discharge Requirements General Order No. R5-2007-0035) with any party that receives process wastewater from the Operator for its own use? (please check one)

____ Yes _____ No

If the answer is no, the Operator agrees to have such a written agreement with any such party for any process wastewater transferred after **31 December 2007** to such party.
_____ (Operator shall provide initials here to acknowledge this requirement).

Certification:
I declare under the penalty of law that I personally examined and am familiar with the information submitted in this document, and that based on my inquiry of those individuals immediately responsible for obtaining the information, I believe that the information is true, accurate, and complete. I am aware that there are significant penalties for submitting false information, including the possibility of a fine and imprisonment for knowing violations.

Operator's Signature: Tony Machado (Tony Machado (Apr 18, 2024 09:14 PDT)) Date: Apr 18, 2024

Hauler's Signature: Tony Machado (Tony Machado (Apr 18, 2024 09:14 PDT)) Date: Apr 18, 2024

ATTACHMENT D

Manure/Process Wastewater Tracking Manifest
For
Existing Milk Cow Dairies

Instructions:

1) Complete one manifest for each hauling event, for each destination. A hauling event may last for several days, as long as the manure is being hauled to the same destination.
2) If there are multiple destinations, **complete a separate form for each destination**.
3) The operator must obtain the signature of the hauler upon completion of each manure-hauling event.
4) The operator shall submit copies of manure/process wastewater tracking manifest(s) with the Annual Monitoring Report for Existing Milk Cow Dairies.

Operator Information:

Name of Operator: TONY MACHADO

Name of Dairy Facility: COUCO CREEK DAIRY INC.

Facility Address: 3303 S. WASHINGTON (Number and Street) TURLOCK (City) 95380 (Zip Code)

Contact Person Name and Phone Number: TONY MACHADO (Name) 209-761-9322 (Phone Number)

Manure/Process Wastewater Hauler Information:

Name of Hauling Company/Person: COUCO CREEK DAIRY INC.

Address of Hauling Company /Person: 3303 S. WASHINGTON (Number and Street) TURLOCK (City) 95380 (Zip Code)

Contact Person: TONY MACHADO (Name) 209-761-9322 (Phone Number)

Destination Information:

Composting Facility / Broker / Farmer / Other (identify) _____ (please circle one)

Contact information of Composting Facility, Broker, Farmer, or Other (as identified above):

CC DELTA (Name) 3303 S. WASHINGTON (Number and Street) TURLOCK (City) 95380 (Zip Code) 209-761-9322 (Phone Number)

Manure/Process Wastewater Destination Address or Assessor's Parcel Number:

_____ (Number and Street) _____ (City) _____ (Zip Code) 191-180-002 (Assessor's Parcel Number)

Dates Hauled: 3/1/23

Amount Hauled:

Enter the amount of manure hauled in tons or cubic yards (indicate the units used), the manure solids content (if amount reported in tons) or manure density (if amount reported in cubic yards), and the method used to calculate the amount:

Manure: 157.5 Tons or Cubic Yards (indicate which units used)

Manure Solids Content (if amount reported in tons): 39.7% MOISTURE.

Manure Density (if amount reported in cubic yards): _____

Method used to determine amount of manure: _____

SCALE WEIGHTS

Enter the amount of process wastewater hauled in gallons and the method used to determine the amount.

Process Wastewater: _____ Gallons

Method used to determine volume of process wastewater: _____

_____

Written Agreement:
Does the Operator have a written agreement (in compliance with Land Application Specification C.2 of Waste Discharge Requirements General Order No. R5-2007-0035) with any party that receives process wastewater from the Operator for its own use? (please check one)

____ Yes _____ No

If the answer is no, the Operator agrees to have such a written agreement with any such party for any process wastewater transferred after **31 December 2007** to such party.
_____ (Operator shall provide initials here to acknowledge this requirement).

Certification:
I declare under the penalty of law that I personally examined and am familiar with the information submitted in this document, and that based on my inquiry of those individuals immediately responsible for obtaining the information, I believe that the information is true, accurate, and complete. I am aware that there are significant penalties for submitting false information, including the possibility of a fine and imprisonment for knowing violations.

Operator's Signature: Tony Machado (Tony Machado (Apr 18, 2024 09:14 PDT)) Date: Apr 18, 2024

Hauler's Signature: Tony Machado (Tony Machado (Apr 18, 2024 09:14 PDT)) Date: Apr 18, 2024

ATTACHMENT D

Manure/Process Wastewater Tracking Manifest
For
Existing Milk Cow Dairies

Instructions:

1) Complete one manifest for each hauling event, for each destination. A hauling event may last for several days, as long as the manure is being hauled to the same destination.
2) If there are multiple destinations, **complete a separate form for each destination**.
3) The operator must obtain the signature of the hauler upon completion of each manure-hauling event.
4) The operator shall submit copies of manure/process wastewater tracking manifest(s) with the Annual Monitoring Report for Existing Milk Cow Dairies.

Operator Information:

Name of Operator: TONY MACHADO

Name of Dairy Facility: COUCO CREEK DAIRY INC.

Facility Address: 3303 S. WASHINGTON (Number and Street) TURLOCK (City) 95380 (Zip Code)

Contact Person Name and Phone Number: TONY MACHADO (Name) 209-761-9322 (Phone Number)

Manure/Process Wastewater Hauler Information:

Name of Hauling Company/Person: COUCO CREEK DAIRY INC.

Address of Hauling Company /Person: 3303 S. WASHINGTON (Number and Street) TURLOCK (City) 95380 (Zip Code)

Contact Person: TONY MACHADO (Name) 209-761-9322 (Phone Number)

Destination Information:

Composting Facility / Broker / Farmer / Other (identify) _____ (please circle one)

Contact information of Composting Facility, Broker, Farmer, or Other (as identified above):

CC DELTA (Name) 3303 S. WASHINGTON (Number and Street) TURLOCK (City) 95380 (Zip Code) 209-761-9322 (Phone Number)

Manure/Process Wastewater Destination Address or Assessor's Parcel Number:

Number and Street _____ City _____ Zip Code _____ Assessor's Parcel Number 191-180-002

Dates Hauled: 4/1/23

Amount Hauled:

Enter the amount of manure hauled in tons or cubic yards (indicate the units used), the manure solids content (if amount reported in tons) or manure density (if amount reported in cubic yards), and the method used to calculate the amount:

Manure: 726.7 Tons or Cubic Yards (indicate which units used)

Manure Solids Content (if amount reported in tons): 39.7% MOISTURE.

Manure Density (if amount reported in cubic yards): _____

Method used to determine amount of manure: _____

SCALE WEIGHTS

Enter the amount of process wastewater hauled in gallons and the method used to determine the amount.

Process Wastewater: _____ Gallons

Method used to determine volume of process wastewater: _____

_____

Written Agreement:
Does the Operator have a written agreement (in compliance with Land Application Specification C.2 of Waste Discharge Requirements General Order No. R5-2007-0035) with any party that receives process wastewater from the Operator for its own use? (please check one)

____ Yes _____ No

If the answer is no, the Operator agrees to have such a written agreement with any such party for any process wastewater transferred after **31 December 2007** to such party.
_____ (Operator shall provide initials here to acknowledge this requirement).

Certification:
I declare under the penalty of law that I personally examined and am familiar with the information submitted in this document, and that based on my inquiry of those individuals immediately responsible for obtaining the information, I believe that the information is true, accurate, and complete. I am aware that there are significant penalties for submitting false information, including the possibility of a fine and imprisonment for knowing violations.

Operator's Signature: Tony Machado (Tony Machado (Apr 18, 2024 09:14 PDT)) Date: Apr 18, 2024

Hauler's Signature: Tony Machado (Tony Machado (Apr 18, 2024 09:14 PDT)) Date: Apr 18, 2024

ATTACHMENT D

Manure/Process Wastewater Tracking Manifest
For
Existing Milk Cow Dairies

Instructions:

1) Complete one manifest for each hauling event, for each destination. A hauling event may last for several days, as long as the manure is being hauled to the same destination.
2) If there are multiple destinations, **complete a separate form for each destination**.
3) The operator must obtain the signature of the hauler upon completion of each manure-hauling event.
4) The operator shall submit copies of manure/process wastewater tracking manifest(s) with the Annual Monitoring Report for Existing Milk Cow Dairies.

Operator Information:

Name of Operator: TONY MACHADO

Name of Dairy Facility: COUCO CREEK DAIRY INC.

Facility Address: 3303 S. WASHINGTON (Number and Street) TURLOCK (City) 95380 (Zip Code)

Contact Person Name and Phone Number: TONY MACHADO (Name) 209-761-9322 (Phone Number)

Manure/Process Wastewater Hauler Information:

Name of Hauling Company/Person: COUCO CREEK DAIRY INC.

Address of Hauling Company /Person: 3303 S. WASHINGTON (Number and Street) TURLOCK (City) 95380 (Zip Code)

Contact Person: TONY MACHADO (Name) 209-761-9322 (Phone Number)

Destination Information:

Composting Facility / Broker / Farmer / Other (identify) _____ (please circle one)

Contact information of Composting Facility, Broker, Farmer, or Other (as identified above):

CC DELTA (Name) 3303 S. WASHINGTON (Number and Street) TURLOCK (City) 95380 (Zip Code) 209-761-9322 (Phone Number)

Manure/Process Wastewater Destination Address or Assessor's Parcel Number:

Number and Street _____ City _____ Zip Code _____ Assessor's Parcel Number 191-180-002

Dates Hauled: 5/1/23

Amount Hauled:

Enter the amount of manure hauled in tons or cubic yards (indicate the units used), the manure solids content (if amount reported in tons) or manure density (if amount reported in cubic yards), and the method used to calculate the amount:

Manure: 2614.4 Tons or Cubic Yards (indicate which units used)

Manure Solids Content (if amount reported in tons): 39.7% MOISTURE.

Manure Density (if amount reported in cubic yards): _____

Method used to determine amount of manure: _____

SCALE WEIGHTS

Enter the amount of process wastewater hauled in gallons and the method used to determine the amount.

Process Wastewater: _____ Gallons

Method used to determine volume of process wastewater: _____

_____

Written Agreement:
Does the Operator have a written agreement (in compliance with Land Application Specification C.2 of Waste Discharge Requirements General Order No. R5-2007-0035) with any party that receives process wastewater from the Operator for its own use? (please check one)

____ Yes _____ No

If the answer is no, the Operator agrees to have such a written agreement with any such party for any process wastewater transferred after **31 December 2007** to such party.
_____ (Operator shall provide initials here to acknowledge this requirement).

Certification:
I declare under the penalty of law that I personally examined and am familiar with the information submitted in this document, and that based on my inquiry of those individuals immediately responsible for obtaining the information, I believe that the information is true, accurate, and complete. I am aware that there are significant penalties for submitting false information, including the possibility of a fine and imprisonment for knowing violations.

Operator's Signature: Tony Machado (Tony Machado (Apr 18, 2024 09:14 PDT)) Date: Apr 18, 2024

Hauler's Signature: Tony Machado (Tony Machado (Apr 18, 2024 09:14 PDT)) Date: Apr 18, 2024

ATTACHMENT D

Manure/Process Wastewater Tracking Manifest
For
Existing Milk Cow Dairies

Instructions:

1) Complete one manifest for each hauling event, for each destination. A hauling event may last for several days, as long as the manure is being hauled to the same destination.
2) If there are multiple destinations, **complete a separate form for each destination**.
3) The operator must obtain the signature of the hauler upon completion of each manure-hauling event.
4) The operator shall submit copies of manure/process wastewater tracking manifest(s) with the Annual Monitoring Report for Existing Milk Cow Dairies.

Operator Information:

Name of Operator: TONY MACHADO

Name of Dairy Facility: COUCO CREEK DAIRY INC.

Facility Address: 3303 S. WASHINGTON (Number and Street) TURLOCK (City) 95380 (Zip Code)

Contact Person Name and Phone Number: TONY MACHADO (Name) 209-761-9322 (Phone Number)

Manure/Process Wastewater Hauler Information:

Name of Hauling Company/Person: COUCO CREEK DAIRY INC.

Address of Hauling Company /Person: 3303 S. WASHINGTON (Number and Street) TURLOCK (City) 95380 (Zip Code)

Contact Person: TONY MACHADO (Name) 209-761-9322 (Phone Number)

Destination Information:

Composting Facility / Broker / Farmer / Other (identify) _____ (please circle one)

Contact information of Composting Facility, Broker, Farmer, or Other (as identified above):

CC DELTA (Name) 3303 S. WASHINGTON (Number and Street) TURLOCK (City) 95380 (Zip Code) 209-761-9322 (Phone Number)

Manure/Process Wastewater Destination Address or Assessor's Parcel Number:

Number and Street _____ City _____ Zip Code _____ Assessor's Parcel Number 191-180-002

Dates Hauled: 6/1/23

Amount Hauled:

Enter the amount of manure hauled in tons or cubic yards (indicate the units used), the manure solids content (if amount reported in tons) or manure density (if amount reported in cubic yards), and the method used to calculate the amount:

Manure: 1038.9 Tons or Cubic Yards (indicate which units used)

Manure Solids Content (if amount reported in tons): 39.7% MOISTURE.

Manure Density (if amount reported in cubic yards): _____

Method used to determine amount of manure: _____

SCALE WEIGHTS

Enter the amount of process wastewater hauled in gallons and the method used to determine the amount.

Process Wastewater: _____ Gallons

Method used to determine volume of process wastewater: _____

_____

Written Agreement:
Does the Operator have a written agreement (in compliance with Land Application Specification C.2 of Waste Discharge Requirements General Order No. R5-2007-0035) with any party that receives process wastewater from the Operator for its own use? (please check one)

____ Yes _____ No

If the answer is no, the Operator agrees to have such a written agreement with any such party for any process wastewater transferred after **31 December 2007** to such party.
_____ (Operator shall provide initials here to acknowledge this requirement).

Certification:
I declare under the penalty of law that I personally examined and am familiar with the information submitted in this document, and that based on my inquiry of those individuals immediately responsible for obtaining the information, I believe that the information is true, accurate, and complete. I am aware that there are significant penalties for submitting false information, including the possibility of a fine and imprisonment for knowing violations.

Operator's Signature: Tony Machado (Tony Machado (Apr 18, 2024 09:14 PDT)) Date: Apr 18, 2024

Hauler's Signature: Tony Machado (Tony Machado (Apr 18, 2024 09:14 PDT)) Date: Apr 18, 2024

ATTACHMENT D

Manure/Process Wastewater Tracking Manifest
For
Existing Milk Cow Dairies

Instructions:

1) Complete one manifest for each hauling event, for each destination. A hauling event may last for several days, as long as the manure is being hauled to the same destination.
2) If there are multiple destinations, **complete a separate form for each destination.**
3) The operator must obtain the signature of the hauler upon completion of each manure-hauling event.
4) The operator shall submit copies of manure/process wastewater tracking manifest(s) with the Annual Monitoring Report for Existing Milk Cow Dairies.

Operator Information:

Name of Operator: TONY MACHADO

Name of Dairy Facility: COUCO CREEK DAIRY INC.

Facility Address: 3303 S. WASHINGTON (Number and Street) TURLOCK (City) 95380 (Zip Code)

Contact Person Name and Phone Number: TONY MACHADO (Name) 209-761-9322 (Phone Number)

Manure/Process Wastewater Hauler Information:

Name of Hauling Company/Person: COUCO CREEK DAIRY INC.

Address of Hauling Company /Person: 3303 S. WASHINGTON (Number and Street) TURLOCK (City) 95380 (Zip Code)

Contact Person: TONY MACHADO (Name) 209-761-9322 (Phone Number)

Destination Information:

Composting Facility / Broker / Farmer / Other (identify) _____ (please circle one)

Contact information of Composting Facility, Broker, Farmer, or Other (as identified above):

CC DELTA (Name) 3303 S. WASHINGTON (Number and Street) TURLOCK (City) 95380 (Zip Code) 209-761-9322 (Phone Number)

Manure/Process Wastewater Destination Address or Assessor's Parcel Number:

Number and Street _____ City _____ Zip Code _____ Assessor's Parcel Number 191-180-002

Dates Hauled: 7/1/23

Amount Hauled:

Enter the amount of manure hauled in tons or cubic yards (indicate the units used), the manure solids content (if amount reported in tons) or manure density (if amount reported in cubic yards), and the method used to calculate the amount:

Manure: 1446.1 Tons or Cubic Yards (indicate which units used)

Manure Solids Content (if amount reported in tons): 38.8 % MOISTURE

Manure Density (if amount reported in cubic yards): _____

Method used to determine amount of manure: _____

SCALE WEIGHTS

Enter the amount of process wastewater hauled in gallons and the method used to determine the amount.

Process Wastewater: _____ Gallons

Method used to determine volume of process wastewater: _____

_____

Written Agreement:
Does the Operator have a written agreement (in compliance with Land Application Specification C.2 of Waste Discharge Requirements General Order No. R5-2007-0035) with any party that receives process wastewater from the Operator for its own use? (please check one)

____ Yes _____ No

If the answer is no, the Operator agrees to have such a written agreement with any such party for any process wastewater transferred after **31 December 2007** to such party.
_____ (Operator shall provide initials here to acknowledge this requirement).

Certification:
I declare under the penalty of law that I personally examined and am familiar with the information submitted in this document, and that based on my inquiry of those individuals immediately responsible for obtaining the information, I believe that the information is true, accurate, and complete. I am aware that there are significant penalties for submitting false information, including the possibility of a fine and imprisonment for knowing violations.

Operator's Signature: Tony Machado (Tony Machado (Apr 18, 2024 09:14 PDT)) Date: Apr 18, 2024

Hauler's Signature: Tony Machado (Tony Machado (Apr 18, 2024 09:14 PDT)) Date: Apr 18, 2024

ATTACHMENT D

Manure/Process Wastewater Tracking Manifest
For
Existing Milk Cow Dairies

Instructions:

1) Complete one manifest for each hauling event, for each destination. A hauling event may last for several days, as long as the manure is being hauled to the same destination.
2) If there are multiple destinations, **complete a separate form for each destination**.
3) The operator must obtain the signature of the hauler upon completion of each manure-hauling event.
4) The operator shall submit copies of manure/process wastewater tracking manifest(s) with the Annual Monitoring Report for Existing Milk Cow Dairies.

Operator Information:

Name of Operator: TONY MACHADO

Name of Dairy Facility: COUCO CREEK DAIRY INC.

Facility Address: 3303 S. WASHINGTON (Number and Street) TURLOCK (City) 95380 (Zip Code)

Contact Person Name and Phone Number: TONY MACHADO (Name) 209-761-9322 (Phone Number)

Manure/Process Wastewater Hauler Information:

Name of Hauling Company/Person: COUCO CREEK DAIRY INC.

Address of Hauling Company /Person: 3303 S. WASHINGTON (Number and Street) TURLOCK (City) 95380 (Zip Code)

Contact Person: TONY MACHADO (Name) 209-761-9322 (Phone Number)

Destination Information:

Composting Facility / Broker / Farmer / Other (identify) _____ (please circle one)

Contact information of Composting Facility, Broker, Farmer, or Other (as identified above):

CC DELTA (Name) 3303 S. WASHINGTON (Number and Street) TURLOCK (City) 95380 (Zip Code) 209-761-9322 (Phone Number)

Manure/Process Wastewater Destination Address or Assessor's Parcel Number:

Number and Street _____ City _____ Zip Code _____ Assessor's Parcel Number 191-180-002

Dates Hauled: 8/1/23

Amount Hauled:

Enter the amount of manure hauled in tons or cubic yards (indicate the units used), the manure solids content (if amount reported in tons) or manure density (if amount reported in cubic yards), and the method used to calculate the amount:

Manure: 2643.4 Tons or Cubic Yards (indicate which units used)

Manure Solids Content (if amount reported in tons): 38.8 % MOISTURE

Manure Density (if amount reported in cubic yards): _____

Method used to determine amount of manure: _____

SCALE WEIGHTS

Enter the amount of process wastewater hauled in gallons and the method used to determine the amount.

Process Wastewater: _____ Gallons

Method used to determine volume of process wastewater: _____

_____

Written Agreement:
Does the Operator have a written agreement (in compliance with Land Application Specification C.2 of Waste Discharge Requirements General Order No. R5-2007-0035) with any party that receives process wastewater from the Operator for its own use? (please check one)

____ Yes _____ No

If the answer is no, the Operator agrees to have such a written agreement with any such party for any process wastewater transferred after **31 December 2007** to such party.
_____ (Operator shall provide initials here to acknowledge this requirement).

Certification:
I declare under the penalty of law that I personally examined and am familiar with the information submitted in this document, and that based on my inquiry of those individuals immediately responsible for obtaining the information, I believe that the information is true, accurate, and complete. I am aware that there are significant penalties for submitting false information, including the possibility of a fine and imprisonment for knowing violations.

Operator's Signature: Tony Machado (Tony Machado (Apr 18, 2024 09:14 PDT)) Date: Apr 18, 2024

Hauler's Signature: Tony Machado (Tony Machado (Apr 18, 2024 09:14 PDT)) Date: Apr 18, 2024

ATTACHMENT D

Manure/Process Wastewater Tracking Manifest
For
Existing Milk Cow Dairies

Instructions:

1) Complete one manifest for each hauling event, for each destination. A hauling event may last for several days, as long as the manure is being hauled to the same destination.
2) If there are multiple destinations, **complete a separate form for each destination.**
3) The operator must obtain the signature of the hauler upon completion of each manure-hauling event.
4) The operator shall submit copies of manure/process wastewater tracking manifest(s) with the Annual Monitoring Report for Existing Milk Cow Dairies.

Operator Information:

Name of Operator: TONY MACHADO

Name of Dairy Facility: COUCO CREEK DAIRY INC.

Facility Address: 3303 S. WASHINGTON (Number and Street) TURLOCK (City) 95380 (Zip Code)

Contact Person Name and Phone Number: TONY MACHADO (Name) 209-761-9322 (Phone Number)

Manure/Process Wastewater Hauler Information:

Name of Hauling Company/Person: COUCO CREEK DAIRY INC.

Address of Hauling Company /Person: 3303 S. WASHINGTON (Number and Street) TURLOCK (City) 95380 (Zip Code)

Contact Person: TONY MACHADO (Name) 209-761-9322 (Phone Number)

Destination Information:

Composting Facility / Broker / Farmer / Other (identify) _____ (please circle one)

Contact information of Composting Facility, Broker, Farmer, or Other (as identified above):

CC DELTA (Name) 3303 S. WASHINGTON (Number and Street) TURLOCK (City) 95380 (Zip Code) 209-761-9322 (Phone Number)

Manure/Process Wastewater Destination Address or Assessor's Parcel Number:

Number and Street _____ City _____ Zip Code _____ Assessor's Parcel Number 191-180-002

Dates Hauled: 9/1/23

Amount Hauled:

Enter the amount of manure hauled in tons or cubic yards (indicate the units used), the manure solids content (if amount reported in tons) or manure density (if amount reported in cubic yards), and the method used to calculate the amount:

Manure: 1761.4 Tons or Cubic Yards (indicate which units used)

Manure Solids Content (if amount reported in tons): 38.8 % MOISTURE

Manure Density (if amount reported in cubic yards): _____

Method used to determine amount of manure: _____

SCALE WEIGHTS

Enter the amount of process wastewater hauled in gallons and the method used to determine the amount.

Process Wastewater: _____ Gallons

Method used to determine volume of process wastewater: _____

_____

Written Agreement:
Does the Operator have a written agreement (in compliance with Land Application Specification C.2 of Waste Discharge Requirements General Order No. R5-2007-0035) with any party that receives process wastewater from the Operator for its own use? (please check one)

____ Yes _____ No

If the answer is no, the Operator agrees to have such a written agreement with any such party for any process wastewater transferred after **31 December 2007** to such party.
_____ (Operator shall provide initials here to acknowledge this requirement).

Certification:
I declare under the penalty of law that I personally examined and am familiar with the information submitted in this document, and that based on my inquiry of those individuals immediately responsible for obtaining the information, I believe that the information is true, accurate, and complete. I am aware that there are significant penalties for submitting false information, including the possibility of a fine and imprisonment for knowing violations.

Operator's Signature: Tony Machado (Tony Machado (Apr 18, 2024 09:14 PDT)) Date: Apr 18, 2024

Hauler's Signature: Tony Machado (Tony Machado (Apr 18, 2024 09:14 PDT)) Date: Apr 18, 2024

ATTACHMENT D

Manure/Process Wastewater Tracking Manifest
For
Existing Milk Cow Dairies

Instructions:

1) Complete one manifest for each hauling event, for each destination. A hauling event may last for several days, as long as the manure is being hauled to the same destination.
2) If there are multiple destinations, **complete a separate form for each destination.**
3) The operator must obtain the signature of the hauler upon completion of each manure-hauling event.
4) The operator shall submit copies of manure/process wastewater tracking manifest(s) with the Annual Monitoring Report for Existing Milk Cow Dairies.

Operator Information:

Name of Operator: TONY MACHADO

Name of Dairy Facility: COUCO CREEK DAIRY INC.

Facility Address: 3303 S. WASHINGTON (Number and Street) TURLOCK (City) 95380 (Zip Code)

Contact Person Name and Phone Number: TONY MACHADO (Name) 209-761-9322 (Phone Number)

Manure/Process Wastewater Hauler Information:

Name of Hauling Company/Person: COUCO CREEK DAIRY INC.

Address of Hauling Company /Person: 3303 S. WASHINGTON (Number and Street) TURLOCK (City) 95380 (Zip Code)

Contact Person: TONY MACHADO (Name) 209-761-9322 (Phone Number)

Destination Information:

Composting Facility / Broker / Farmer / Other (identify) _____ (please circle one)

Contact information of Composting Facility, Broker, Farmer, or Other (as identified above):

CC DELTA (Name) 3303 S. WASHINGTON (Number and Street) TURLOCK (City) 95380 (Zip Code) 209-761-9322 (Phone Number)

Manure/Process Wastewater Destination Address or Assessor's Parcel Number:

Number and Street _____ City _____ Zip Code _____ Assessor's Parcel Number 191-180-002

Dates Hauled: 10/1/23

Amount Hauled:

Enter the amount of manure hauled in tons or cubic yards (indicate the units used), the manure solids content (if amount reported in tons) or manure density (if amount reported in cubic yards), and the method used to calculate the amount:

Manure: 2243.3 Tons or Cubic Yards (indicate which units used)

Manure Solids Content (if amount reported in tons): 38.8 % MOISTURE

Manure Density (if amount reported in cubic yards): _____

Method used to determine amount of manure: _____

SCALE WEIGHTS

Enter the amount of process wastewater hauled in gallons and the method used to determine the amount.

Process Wastewater: _____ Gallons

Method used to determine volume of process wastewater: _____

_____

Written Agreement:
Does the Operator have a written agreement (in compliance with Land Application Specification C.2 of Waste Discharge Requirements General Order No. R5-2007-0035) with any party that receives process wastewater from the Operator for its own use? (please check one)

____ Yes _____ No

If the answer is no, the Operator agrees to have such a written agreement with any such party for any process wastewater transferred after **31 December 2007** to such party.
_____ (Operator shall provide initials here to acknowledge this requirement).

Certification:
I declare under the penalty of law that I personally examined and am familiar with the information submitted in this document, and that based on my inquiry of those individuals immediately responsible for obtaining the information, I believe that the information is true, accurate, and complete. I am aware that there are significant penalties for submitting false information, including the possibility of a fine and imprisonment for knowing violations.

Operator's Signature: Tony Machado (Tony Machado (Apr 18, 2024 09:14 PDT)) Date: Apr 18, 2024

Hauler's Signature: Tony Machado (Tony Machado (Apr 18, 2024 09:14 PDT)) Date: Apr 18, 2024

ATTACHMENT D

Manure/Process Wastewater Tracking Manifest
For
Existing Milk Cow Dairies

Instructions:

1) Complete one manifest for each hauling event, for each destination. A hauling event may last for several days, as long as the manure is being hauled to the same destination.
2) If there are multiple destinations, **complete a separate form for each destination.**
3) The operator must obtain the signature of the hauler upon completion of each manure-hauling event.
4) The operator shall submit copies of manure/process wastewater tracking manifest(s) with the Annual Monitoring Report for Existing Milk Cow Dairies.

Operator Information:

Name of Operator: TONY MACHADO

Name of Dairy Facility: COUCO CREEK DAIRY INC.

Facility Address: 3303 S. WASHINGTON (Number and Street) TURLOCK (City) 95380 (Zip Code)

Contact Person Name and Phone Number: TONY MACHADO (Name) 209-761-9322 (Phone Number)

Manure/Process Wastewater Hauler Information:

Name of Hauling Company/Person: COUCO CREEK DAIRY INC.

Address of Hauling Company /Person: 3303 S. WASHINGTON (Number and Street) TURLOCK (City) 95380 (Zip Code)

Contact Person: TONY MACHADO (Name) 209-761-9322 (Phone Number)

Destination Information:

Composting Facility / Broker / Farmer / Other (identify) _____ (please circle one)

Contact information of Composting Facility, Broker, Farmer, or Other (as identified above):

CC DELTA (Name) 3303 S. WASHINGTON (Number and Street) TURLOCK (City) 95380 (Zip Code) 209-761-9322 (Phone Number)

Manure/Process Wastewater Destination Address or Assessor's Parcel Number:

Number and Street _____ City _____ Zip Code _____ Assessor's Parcel Number 191-180-002

Dates Hauled: 11/1/23

Amount Hauled:

Enter the amount of manure hauled in tons or cubic yards (indicate the units used), the manure solids content (if amount reported in tons) or manure density (if amount reported in cubic yards), and the method used to calculate the amount:

Manure: 76.8 Tons or Cubic Yards (indicate which units used)

Manure Solids Content (if amount reported in tons): 38.8 % MOISTURE

Manure Density (if amount reported in cubic yards): _____

Method used to determine amount of manure: _____

SCALE WEIGHTS

Enter the amount of process wastewater hauled in gallons and the method used to determine the amount.

Process Wastewater: _____ Gallons

Method used to determine volume of process wastewater: _____

_____

Written Agreement:
Does the Operator have a written agreement (in compliance with Land Application Specification C.2 of Waste Discharge Requirements General Order No. R5-2007-0035) with any party that receives process wastewater from the Operator for its own use? (please check one)

____ Yes _____ No

If the answer is no, the Operator agrees to have such a written agreement with any such party for any process wastewater transferred after **31 December 2007** to such party.
_____ (Operator shall provide initials here to acknowledge this requirement).

Certification:
I declare under the penalty of law that I personally examined and am familiar with the information submitted in this document, and that based on my inquiry of those individuals immediately responsible for obtaining the information, I believe that the information is true, accurate, and complete. I am aware that there are significant penalties for submitting false information, including the possibility of a fine and imprisonment for knowing violations.

Operator's Signature: Tony Machado (Tony Machado (Apr 18, 2024 09:14 PDT)) Date: Apr 18, 2024

Hauler's Signature: Tony Machado (Tony Machado (Apr 18, 2024 09:14 PDT)) Date: Apr 18, 2024

ATTACHMENT D

Manure/Process Wastewater Tracking Manifest
For
Existing Milk Cow Dairies

Instructions:

1) Complete one manifest for each hauling event, for each destination. A hauling event may last for several days, as long as the manure is being hauled to the same destination.
2) If there are multiple destinations, **complete a separate form for each destination.**
3) The operator must obtain the signature of the hauler upon completion of each manure-hauling event.
4) The operator shall submit copies of manure/process wastewater tracking manifest(s) with the Annual Monitoring Report for Existing Milk Cow Dairies.

Operator Information:

Name of Operator: TONY MACHADO

Name of Dairy Facility: COUCO CREEK DAIRY INC.

Facility Address: 3303 S. WASHINGTON (Number and Street) TURLOCK (City) 95380 (Zip Code)

Contact Person Name and Phone Number: TONY MACHADO (Name) 209-761-9322 (Phone Number)

Manure/Process Wastewater Hauler Information:

Name of Hauling Company/Person: COUCO CREEK DAIRY INC.

Address of Hauling Company /Person: 3303 S. WASHINGTON (Number and Street) TURLOCK (City) 95380 (Zip Code)

Contact Person: TONY MACHADO (Name) 209-761-9322 (Phone Number)

Destination Information:

Composting Facility / Broker / Farmer / Other (identify) _____ (please circle one)

Contact information of Composting Facility, Broker, Farmer, or Other (as identified above):

CC DELTA (Name) 3303 S. WASHINGTON (Number and Street) TURLOCK (City) 95380 (Zip Code) 209-761-9322 (Phone Number)

Manure/Process Wastewater Destination Address or Assessor's Parcel Number:

Number and Street _____ City _____ Zip Code _____ Assessor's Parcel Number 191-180-002

Dates Hauled: 12/1/23

Amount Hauled:

Enter the amount of manure hauled in tons or cubic yards (indicate the units used), the manure solids content (if amount reported in tons) or manure density (if amount reported in cubic yards), and the method used to calculate the amount:

Manure: 1969.4 Tons or Cubic Yards (indicate which units used)

Manure Solids Content (if amount reported in tons): 38.8 % MOISTURE

Manure Density (if amount reported in cubic yards): _____

Method used to determine amount of manure: _____

SCALE WEIGHTS

Enter the amount of process wastewater hauled in gallons and the method used to determine the amount.

Process Wastewater: _____ Gallons

Method used to determine volume of process wastewater: _____

_____

Written Agreement:
Does the Operator have a written agreement (in compliance with Land Application Specification C.2 of Waste Discharge Requirements General Order No. R5-2007-0035) with any party that receives process wastewater from the Operator for its own use? (please check one)

____ Yes _____ No

If the answer is no, the Operator agrees to have such a written agreement with any such party for any process wastewater transferred after **31 December 2007** to such party.
_____ (Operator shall provide initials here to acknowledge this requirement).

Certification:
I declare under the penalty of law that I personally examined and am familiar with the information submitted in this document, and that based on my inquiry of those individuals immediately responsible for obtaining the information, I believe that the information is true, accurate, and complete. I am aware that there are significant penalties for submitting false information, including the possibility of a fine and imprisonment for knowing violations.

Operator's Signature: Tony Machado (Tony Machado (Apr 18, 2024 09:14 PDT)) Date: Apr 18, 2024

Hauler's Signature: Tony Machado (Tony Machado (Apr 18, 2024 09:14 PDT)) Date: Apr 18, 2024

Denele Analytical, Inc.

865 South Kilroy Avenue Turlock, CA 95380
Phone (209) 634-9055 - Fax (209) 634-9057

40 N. East Street, Woodland, CA 95776
Phone (530) 666-9056 - Fax (530) 666-9058

www.denelelabs.com

Compliance Analysis Report

Customer
Couco Creek Dairy, Inc.
3303 S. Washington Rd.
Turlock, CA 95380

Grower

Consultant:
F & R Ag Services
2857 Geer Rd. Ste A
Turlock, CA 95382

PURCHASE ORDER:
RECEIVED DATE: 3/2/23 4:08 PM
SUBMITTED BY: Sean
ANALYZED DATE: 3/3/23

Irrigation/ Ground Water (H1)
SOURCE: Well Water

NOTES: Temperature was above qualifying at 20.2c

Sample ID	Lab ID	Analyte	Method Ref	Result	Units
DW-15	T3061004A	Electrical Conductivity (EC)	EPA 120.1 and	0.824	mmhos/cm
		Nitrate Nitrogen (NO3-N)	EPA 353.2	11.2	mg/L
		Ammonia Nitrogen (NH3-N)	SM 4500-NH3 D,C	< 0.500	mg/L
		Soluble Salts (SALT-SOL)	Calculation	527	mg/L

Laboratory Quality Control	LCS %	MS %	MSD %	RPD %
Ammonia Nitrogen (NH3-N)	105	109 (T3061003A)	106 (T3061003A)	2.79
Electrical Conductivity (EC)	97.2			0.000
Nitrate Nitrogen (NO3-N)	101	82.5 (T3065001A)	80.6 (T3065001A)	2.38

The warranty of Denele Analytical is limited to the accuracy of the analyses of the samples as received. Denele Analytical assumes no responsibility for which the customer uses our test results, nor liability for any other warranties, express or implied. These terms and conditions shall supercede any conflicting terms and conditions submitted on customer purchase orders or other forms submitted for work.

ELAP Certificate No.: 2714

Denele Analytical, Inc.

865 South Kilroy Avenue Turlock, CA 95380
Phone (209) 634-9055 - Fax (209) 634-9057

40 N. East Street, Woodland, CA 95776
Phone (530) 666-9056 - Fax (530) 666-9058

www.denelelabs.com

Compliance Analysis Report

Customer
Couco Creek Dairy, Inc.
3303 S. Washington Rd.
Turlock, CA 95380

Grower

Consultant:
F & R Ag Services
2857 Geer Rd. Ste A
Turlock, CA 95382

PURCHASE ORDER:
RECEIVED DATE: 3/2/23 4:08 PM
SUBMITTED BY: Sean
ANALYZED DATE: 3/3/23

Irrigation/ Ground Water (H1)
SOURCE: Well Water

NOTES: Temperature was above qualifying at 19.6c

Sample ID	Lab ID	Analyte	Method Ref	Result	Units
DW-10	T3061004B	Electrical Conductivity (EC)	EPA 120.1 and	0.846	mmhos/cm
		Nitrate Nitrogen (NO3-N)	EPA 353.2	11.4	mg/L
		Ammonia Nitrogen (NH3-N)	SM 4500-NH3 D,C	< 0.500	mg/L
		Soluble Salts (SALT-SOL)	Calculation	541	mg/L

Laboratory Quality Control	LCS %	MS %	MSD %	RPD %
Ammonia Nitrogen (NH3-N)	105	109 (T3061003A)	106 (T3061003A)	2.79
Electrical Conductivity (EC)	97.2			0.000
Nitrate Nitrogen (NO3-N)	101	82.5 (T3065001A)	80.6 (T3065001A)	2.38

The warranty of Denele Analytical is limited to the accuracy of the analyses of the samples as received. Denele Analytical assumes no responsibility for which the customer uses our test results, nor liability for any other warranties, express or implied. These terms and conditions shall supercede any conflicting terms and conditions submitted on customer purchase orders or other forms submitted for work.

ELAP Certificate No.: 2714

Denele Analytical, Inc.

865 South Kilroy Avenue Turlock, CA 95380
Phone (209) 634-9055 - Fax (209) 634-9057

40 N. East Street, Woodland, CA 95776
Phone (530) 666-9056 - Fax (530) 666-9058

www.denelelabs.com

Compliance Analysis Report

Customer
Couco Creek Dairy, Inc.
3303 S. Washington Rd.
Turlock, CA 95380

Grower

Consultant:
F & R Ag Services
2857 Geer Rd. Ste A
Turlock, CA 95382

PURCHASE ORDER:
RECEIVED DATE: 3/2/23 4:08 PM
SUBMITTED BY: Sean
ANALYZED DATE: 3/3/23

Irrigation/ Ground Water (H1)
SOURCE: Well Water

NOTES: Temperature was above qualifying at 19.4c

Sample ID	Lab ID	Analyte	Method Ref	Result	Units
DW-11	T3061004C	Electrical Conductivity (EC)	EPA 120.1 and	1.24	mmhos/cm
		Nitrate Nitrogen (NO3-N)	EPA 353.2	17.6	mg/L
		Ammonia Nitrogen (NH3-N)	SM 4500-NH3 D,C	< 0.500	mg/L
		Soluble Salts (SALT-SOL)	Calculation	794	mg/L

Laboratory Quality Control	LCS %	MS %	MSD %	RPD %
Ammonia Nitrogen (NH3-N)	105	109 (T3061003A)	106 (T3061003A)	2.79
Electrical Conductivity (EC)	97.2			0.000
Nitrate Nitrogen (NO3-N)	101	82.5 (T3065001A)	80.6 (T3065001A)	2.38

The warranty of Denele Analytical is limited to the accuracy of the analyses of the samples as received. Denele Analytical assumes no responsibility for which the customer uses our test results, nor liability for any other warranties, express or implied. These terms and conditions shall supercede any conflicting terms and conditions submitted on customer purchase orders or other forms submitted for work.

Denele Analytical, Inc.

865 South Kilroy Avenue Turlock, CA 95380
Phone (209) 634-9055 - Fax (209) 634-9057

40 N. East Street, Woodland, CA 95776
Phone (530) 666-9056 - Fax (530) 666-9058

www.denelelabs.com

Compliance Analysis Report

Customer
Couco Creek Dairy, Inc.
3303 S. Washington Rd.
Turlock, CA 95380

Grower

Consultant:
F & R Ag Services
2857 Geer Rd. Ste A
Turlock, CA 95382

PURCHASE ORDER:
RECEIVED DATE: 3/2/23 4:08 PM
SUBMITTED BY: Sean
ANALYZED DATE: 3/3/23

Irrigation/ Ground Water (H1)
SOURCE: Well Water

NOTES: Temperature was above qualifying at 20.8c

Sample ID	Lab ID	Analyte	Method Ref	Result	Units
DW-14	T3061004D	Electrical Conductivity (EC)	EPA 120.1 and	0.786	mmhos/cm
		Nitrate Nitrogen (NO3-N)	EPA 353.2	4.75	mg/L
		Ammonia Nitrogen (NH3-N)	SM 4500-NH3 D,C	< 0.500	mg/L
		Soluble Salts (SALT-SOL)	Calculation	503	mg/L

Laboratory Quality Control	LCS %	MS %	MSD %	RPD %
Ammonia Nitrogen (NH3-N)	105	109 (T3061003A)	106 (T3061003A)	2.79
Electrical Conductivity (EC)	97.2			0.000
Nitrate Nitrogen (NO3-N)	101	82.5 (T3065001A)	80.6 (T3065001A)	2.38

The warranty of Denele Analytical is limited to the accuracy of the analyses of the samples as received. Denele Analytical assumes no responsibility for which the customer uses our test results, nor liability for any other warranties, express or implied. These terms and conditions shall supercede any conflicting terms and conditions submitted on customer purchase orders or other forms submitted for work.

DENELE ANALYTICAL, INC.
865 S. KILROY ROAD
TURLOCK, CA 95380
PH# 209-634-9055 FAX# 209-634-9057

DAIRY COMPLIANCE

Client: COLCO CREEK
Mailing address:
(not facility address) TURLOCK CA
Phone#:

Authorized Copy Released To: F&R AG SERVICES
Sampled By: Sean Locke
Project ID:

ANALYSIS TO BE COMPLETED:

IRRIGATION/GROUND WATER
- H1 EC*, NO3-N, NH4-N*
- H6 EC, TN, TDS
- H7 Combination of H1 & H6
- H14 EC, NO3-N, NH4-N, Ca, Mg, Na, Bicarb Carb, SO4, Cl, TDS

PROCESS WASTE WATER
- H3 EC*, NH4-N, TKN, TP, K, TDS
- H4 EC*, NO3-N, NH4-N, TKN, TP, K, TDS
- H5 Ca, Mg, Na, Bicarb, Carb, SO4, Cl
- H8 Combination of H3 &H5
- H9 Combination of H4 &H5

TILE DRAIN
- H2 EC*, NO3-N, TP, NH4-N*, TDS

** Required Field Measurement*

___ (Check here if performed)

DISCHARGE WATER
- E1 EC*, Temp*, pH*, NO3-N, NH3-N, NH4-N, TKN, TP, K, TDS, Dissolved Oxygen*, BOD 5, TSS, Total & Fecal Coliforms
- E2 EC,* Temp*, pH*, NO3-N, NH3-N*, NH4-N*, Turbidity, TP, Dissolved Oxygen*, Total & Fecal Coliforms
- E3 EC*, Temp*, pH*, NO3-N, NH3-N*, NH4-N*, TP, Total & Fecal Coliforms
- E4 EC*, Temp*, pH*, NO3-N, NH3-N*, NH4-N*, Turbidity, TP, Total & Fecal Coliform

MANURE
- M1 % Moisture
- M3 TN TP, K, % Moisture
- M4 Ca, Mg, Na, Bicarb, Carb, SO4, Cl, Ash
- M7 Combination of M3 & M4

PLANT TISSUE
- F18 % Moisture, Ash, TN, P, K, DM and as received
- F18+ % Moisture, Ash, TN, P, K, DM and as received (Package also includes NIR DCAD)
- F19+ % Moisture, TN (Package includes complete plant tissue analysis)

SOIL
- K3 Soluble Phosphorus
- K4 1ft NO3, Organic Matter
- K5 Pre-Plant (2ft NO3), Fall (1-2ft NO3), Fall (2-3ft NO3)
- K6 0-1ft EC, NO3, Soluble P, K, Organic Matter
- K7 Combination of K3 & K4
- K8 Combination of K3 & K5

	Date Collected	Time Collected	Sample ID	Description	Temp	Well Purge	Analysis: H1	H3	M3	F18	OTHER
1	3/2/23	3:20	DW-15	DOMESTIC	20.2°		X				
2		3:25	DW-10		19.6°		X				
3		3:30	DW-11		19.4°		X				
4		3:35	DW-14		20.8°		X				
5											
6											
7											
8											
9											
10											

CHAIN OF CUSTODY RECORDING

	Signature	Company	Received Date & Time	Relinquished Date & Time	(LABORATORY USE ONLY) Logged In By:	LABORATORY NUMBER
		F&R AG SERVICES				
2nd		DENELE ANALYTICAL, INC.	3-2-23 4:08			T30601004

Required to be submitted to any agency? (YES / NO)

Couco Creek 2023 Annual Report

Final Audit Report 2024-04-18

Created:	2024-04-17
By:	Sean Locke (slocke@fragservices.com)
Status:	Signed
Transaction ID:	CBJCHBCAABAAbGNOFPLo6tuUUFnA4x1ZlL4-IiPfOt62

"Couco Creek 2023 Annual Report" History

Document created by Sean Locke (slocke@fragservices.com)
2024-04-17 - 8:34:25 PM GMT

Document emailed to Elizete Machado (tonycccows@yahoo.com) for signature
2024-04-17 - 8:38:32 PM GMT

Email viewed by Elizete Machado (tonycccows@yahoo.com)
2024-04-18 - 4:11:52 PM GMT

Signer Elizete Machado (tonycccows@yahoo.com) entered name at signing as Tony Machado
2024-04-18 - 4:14:07 PM GMT

Document e-signed by Tony Machado (tonycccows@yahoo.com)
Signature Date: 2024-04-18 - 4:14:09 PM GMT - Time Source: server

Agreement completed.
2024-04-18 - 4:14:09 PM GMT

Adobe Acrobat Sign