Annual Report - General Order No. R5-2007-0035
Reporting period 01/01/2023 to 12/31/2023.

DAIRY FACILITY INFORMATION

A. NAME OF DAIRY OR BUSINESS OPERATING THE DAIRY: Joe Borba Dairy, INC

Physical address of dairy:

Number and Street	City	County	Zip Code
3431 S Moffett RD	Turlock	Stanislaus	95380

Street and nearest cross street (if no address):

Date facility was originally placed in operation: 01/01/1970

Regional Water Quality Control Board Basin Plan designation: San Joaquin River Basin

County Assessor Parcel Number(s) for dairy facility:

0058-0028-0002-0000 0058-0028-0023-0000

B. OPERATORS

Borba, Arnold

Operator name: Borba, Arnold

Telephone no.: (209) 632-5363 (Landline) (Cellular)

Mailing Address Number and Street	City	State	Zip Code
3431 S Moffett RD	Turlock	CA	95380

This operator is responsible for paying permit fees.

C. OWNERS

Borba, Arnold

Legal owner name: Borba, Arnold

Telephone no.: (209) 632-5363 (Landline) (Cellular)

Mailing Address Number and Street	City	State	Zip Code
3431 S Moffett RD	Turlock	CA	95380

This owner is responsible for paying permit fees.

AVAILABLE NUTRIENTS

A. HERD INFORMATION

	Milk Cows	Dry Cows	Bred Heifers (15-24 mo.)	Heifers (7-14 mo. to breeding)	Calves (4-6 mo.)	Calves (0-3 mo.)
Number open confinement	0	0	0	50	0	0
Number under roof	0	0	0	0	0	0
Maximum number	0	0	0	50	0	0
Average number	0	0	0	50	0	0
Avg live weight (lbs)	0	0	0	900		

Predominant milk cow breed: Holstein

Average milk production: 1 *pounds per cow per day*

B. MANURE GENERATED

Total manure excreted by the herd: 506.25 *tons per reporting period*

Total nitrogen from manure: 4,745.00 *lbs per reporting period*

After ammonia losses (30% loss applied): 3,321.50 *lbs per reporting period*

Total phosphorus from manure: 803.00 *lbs per reporting period*

Total potassium from manure: 1.00 *lbs per reporting period*

Total salt from manure: 0.00 *lbs per reporting period*

C. PROCESS WASTEWATER GENERATED

Process wastewater generated: _____ *gallons*

Total nitrogen generated: _____ *lbs*

Total phosphorus generated: _____ *lbs*

Total potassium generated: _____ *lbs*

Total salt generated: _____ *lbs*

	0	*gallons applied*
+	0	*gallons exported*
-	0	*gallons imported*
=	0	*gallons generated*

D. FRESH WATER SOURCES

Source Description	Type
TID CANAL	Surface water
W-1	Ground water
W-2	Ground water
W-3	Ground water

E. SUBSURFACE (TILE) DRAINAGE SOURCES

No subsurface (tile) drainage sources entered.

F. NUTRIENT IMPORTS

No dry manure nutrient imports entered.

No process wastewater nutrient imports entered.

No commercial or other nutrient imports entered.

G. NUTRIENT EXPORTS

No solid nutrient exports entered.

No liquid nutrient exports entered.

APPLICATION AREA

A. LIST OF LAND APPLICATION AREAS

Field name	Controlled acres	Cropable acres	Total harvests	Type of waste applied	Parcel number
Field 2	32	32	2	none	0058-0028-0023-0000
Field 4	40	40	3	none	0058-0029-0011-0000
Totals for areas that were used for application					
Totals for areas that were not used for application	72	72	5		
Land application area totals	72	72	5		

B. CROPS AND HARVESTS

Field 2

Field name: Field 2

10/26/2022: Oats, silage-soft dough

Crop: Oats, silage-soft dough Acres planted: 32 Plant date: 10/26/2022

Harvest date	Yield	Reporting basis	Density (lbs/cu ft)	Moisture (%)	N (mg/kg)	P (mg/kg)	K (mg/kg)	Salt (mg/kg)	TFS (%)
04/13/2023	245.00 *ton*	Dry-weight		41.2	13,900.00	3,600.00	27,600.00		14.90

	Yield (tons/acre)	Total N (lbs/acre)	Total P (lbs/acre)	Total K (lbs/acre)	Salt (lbs/acre)
Anticipated harvest content	10.00	100.00	16.00	83.00	10.00
Total actual harvest content	7.66	125.15	32.41	248.50	1,341.56

06/06/2023: Corn, silage

Crop: Corn, silage Acres planted: 32 Plant date: 06/06/2023

Harvest date	Yield	Reporting basis	Density (lbs/cu ft)	Moisture (%)	N (mg/kg)	P (mg/kg)	K (mg/kg)	Salt (mg/kg)	TFS (%)
10/23/2023	756.00 *ton*	Dry-weight		44.6	9,600.00	1,950.00	11,300.00		7.10

	Yield (tons/acre)	Total N (lbs/acre)	Total P (lbs/acre)	Total K (lbs/acre)	Salt (lbs/acre)
Anticipated harvest content	22.00	176.00	33.00	145.20	22.00
Total actual harvest content	23.63	251.29	51.04	295.79	1,858.53

Field 4

Field 4

Field name: Field 4

10/08/2016: Alfalfa, hay

Crop: Alfalfa, hay Acres planted: 40 Plant date: 10/08/2016

Harvest date	Yield	Reporting basis	Density (lbs/cu ft)	Moisture (%)	N (mg/kg)	P (mg/kg)	K (mg/kg)	Salt (mg/kg)	TFS (%)
04/13/2023	285.00 *ton*	Dry-weight		41.2	13,900.00	3,600.00	27,600.00		14.90
06/06/2023	96.00 *ton*	Dry-weight		41.2	13,900.00	4,600.00	27,600.00		14.90
08/22/2023	78.75 *ton*	Dry-weight		2.1	31,300.00	3,000.00	21,000.00		4.08

	Yield (tons/acre)	Total N (lbs/acre)	Total P (lbs/acre)	Total K (lbs/acre)	Salt (lbs/acre)
Anticipated harvest content	8.00	480.00	43.20	336.00	8.00
Total actual harvest content	11.49	276.36	54.71	390.11	1,826.28

NUTRIENT BUDGET

A. LAND APPLICATIONS

Field 2 - 10/26/2022: Oats, silage-soft dough

Field name: Field 2

Crop: Oats, silage-soft dough — Plant date: 10/26/2022

No nutrient budget entered for this crop.

Field 2 - 06/06/2023: Corn, silage

Field name: Field 2

Crop: Corn, silage — Plant date: 06/06/2023

Application date	Application method	Precipitation 24 hours prior	Precipitation during application	Precipitation 24 hours following
05/25/2023	Surface (irrigation)	No precipitation	No precipitation	No precipitation

Source description	Material type	N (lbs/acre)	P (lbs/acre)	K (lbs/acre)	Salt (lbs/acre)	Amount
TID CANAL	Surface water	5.05	0.00	0.00	1,464.77	8,164,044.61 *gal*
Application event totals		5.05	0.00	0.00	1,464.77	

Application date	Application method	Precipitation 24 hours prior	Precipitation during application	Precipitation 24 hours following
07/11/2023	Surface (irrigation)	No precipitation	No precipitation	No precipitation

Source description	Material type	N (lbs/acre)	P (lbs/acre)	K (lbs/acre)	Salt (lbs/acre)	Amount
TID CANAL	Surface water	4.49	0.00	0.00	1,304.55	7,271,048.77 *gal*
Application event totals		4.49	0.00	0.00	1,304.55	

Application date	Application method	Precipitation 24 hours prior	Precipitation during application	Precipitation 24 hours following
07/24/2023	Surface (irrigation)	No precipitation	No precipitation	No precipitation

Source description	Material type	N (lbs/acre)	P (lbs/acre)	K (lbs/acre)	Salt (lbs/acre)	Amount
TID CANAL	Surface water	4.07	0.00	0.00	1,181.81	6,586,923.70 *gal*
Application event totals		4.07	0.00	0.00	1,181.81	

Application date	Application method	Precipitation 24 hours prior	Precipitation during application	Precipitation 24 hours following
08/08/2023	Surface (irrigation)	No precipitation	No precipitation	No precipitation

Source description	Material type	N (lbs/acre)	P (lbs/acre)	K (lbs/acre)	Salt (lbs/acre)	Amount
TID CANAL	Surface water	2.87	0.00	0.00	832.26	4,638,658.01 *gal*
Application event totals		2.87	0.00	0.00	832.26	

Field 2 - 06/06/2023: Corn, silage

Application date	Application method	Precipitation 24 hours prior	Precipitation during application	Precipitation 24 hours following
08/22/2023	Surface (irrigation)	No precipitation	No precipitation	No precipitation

Source description	Material type	N (lbs/acre)	P (lbs/acre)	K (lbs/acre)	Salt (lbs/acre)	Amount
TID CANAL	Surface water	3.04	0.00	0.00	882.20	4,917,000.30 *gal*
Application event totals		3.04	0.00	0.00	882.20	

09/06/2023	Surface (irrigation)	No precipitation	No precipitation	No precipitation

Source description	Material type	N (lbs/acre)	P (lbs/acre)	K (lbs/acre)	Salt (lbs/acre)	Amount
TID CANAL	Surface water	2.87	0.00	0.00	832.26	4,638,658.01 *gal*
Application event totals		2.87	0.00	0.00	832.26	

Field 4 - 10/08/2016: Alfalfa, hay

Field name: Field 4

Crop: Alfalfa, hay

Plant date: 10/08/2016

Application date	Application method	Precipitation 24 hours prior	Precipitation during application	Precipitation 24 hours following
04/27/2023	Surface (irrigation)	No precipitation	No precipitation	No precipitation

Source description	Material type	N (lbs/acre)	P (lbs/acre)	K (lbs/acre)	Salt (lbs/acre)	Amount
TID CANAL	Surface water	8.87	0.00	0.00	2,576.26	17,948,743.89 *gal*
Application event totals		8.87	0.00	0.00	2,576.26	

05/31/2023	Surface (irrigation)	No precipitation	No precipitation	No precipitation

Source description	Material type	N (lbs/acre)	P (lbs/acre)	K (lbs/acre)	Salt (lbs/acre)	Amount
TID CANAL	Surface water	6.40	0.00	0.00	1,857.30	12,939,788.32 *gal*
Application event totals		6.40	0.00	0.00	1,857.30	

07/02/2023	Surface (irrigation)	No precipitation	No precipitation	No precipitation

Source description	Material type	N (lbs/acre)	P (lbs/acre)	K (lbs/acre)	Salt (lbs/acre)	Amount
TID CANAL	Surface water	5.35	0.00	0.00	1,553.87	10,825,794.59 *gal*
Application event totals		5.35	0.00	0.00	1,553.87	

Field 4 - 10/08/2016: Alfalfa, hay

Application date	Application method	Precipitation 24 hours prior	Precipitation during application	Precipitation 24 hours following
07/30/2023	Surface (irrigation)	No precipitation	No precipitation	No precipitation

Source description	Material type	N (lbs/acre)	P (lbs/acre)	K (lbs/acre)	Salt (lbs/acre)	Amount
TID CANAL	Surface water	7.35	0.00	0.00	2,132.90	14,859,900.44 *gal*
Application event totals		7.35	0.00	0.00	2,132.90	

Application date	Application method	Precipitation 24 hours prior	Precipitation during application	Precipitation 24 hours following
09/01/2023	Surface (irrigation)	No precipitation	No precipitation	No precipitation

Source description	Material type	N (lbs/acre)	P (lbs/acre)	K (lbs/acre)	Salt (lbs/acre)	Amount
TID CANAL	Surface water	5.16	0.00	0.00	1,497.82	10,435,326.82 *gal*
Application event totals		5.16	0.00	0.00	1,497.82	

B. NUTRIENT BUDGET

Field 2 - 10/26/2022: Oats, silage-soft dough

Field name: Field 2 Crop: Oats, silage-soft dough Plant date: 10/26/2022

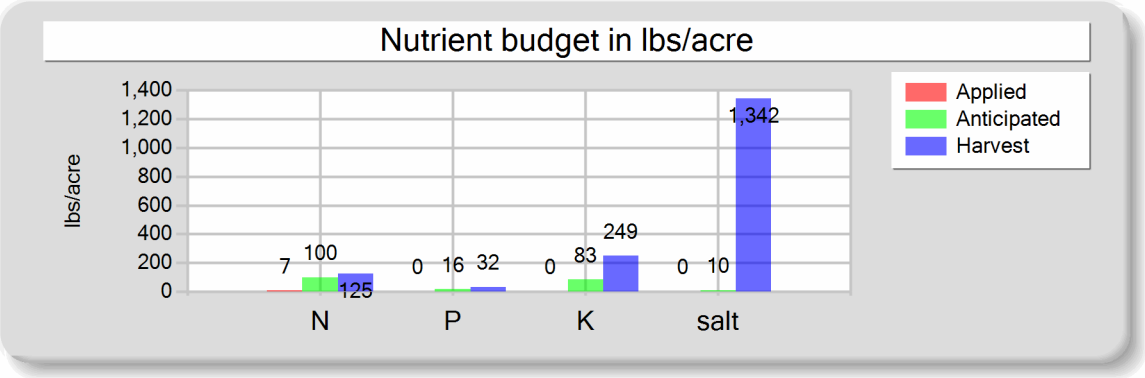

	Total N (lbs/acre)	Total P (lbs/acre)	Total K (lbs/acre)	Total salt (lbs/acre)
Existing soil nutrient content	0.00	0.00	0.00	0.00
Plowdown credit	0.00	0.00	0.00	0.00
Commercial fertilizer / Other	0.00	0.00	0.00	0.00
Dry manure	0.00	0.00	0.00	0.00
Process wastewater	0.00	0.00	0.00	0.00
Fresh water	0.00	0.00	0.00	0.00
Atmospheric deposition	7.00	0.00	0.00	0.00
Total nutrients applied	7.00	0.00	0.00	0.00
Anticipated crop nutrient removal	100.00	16.00	83.00	10.00
Actual crop nutrient removal	125.15	32.41	248.50	1,341.56
Nutrient balance	-118.15	-32.41	-248.50	-1,341.56
Applied to removed ratio	0.06	0.00	0.00	0.00

Fresh water applied
0.00 *gallons*
0.00 *acre-inches*
0.00 *inches/acre*

Process wastewater applied
0.00 *gallons*
0.00 *acre-inches*
0.00 *inches/acre*

Total harvests for the crop
1 *harvests*

Field 2 - 06/06/2023: Corn, silage

Field name: Field 2 Crop: Corn, silage Plant date: 06/06/2023

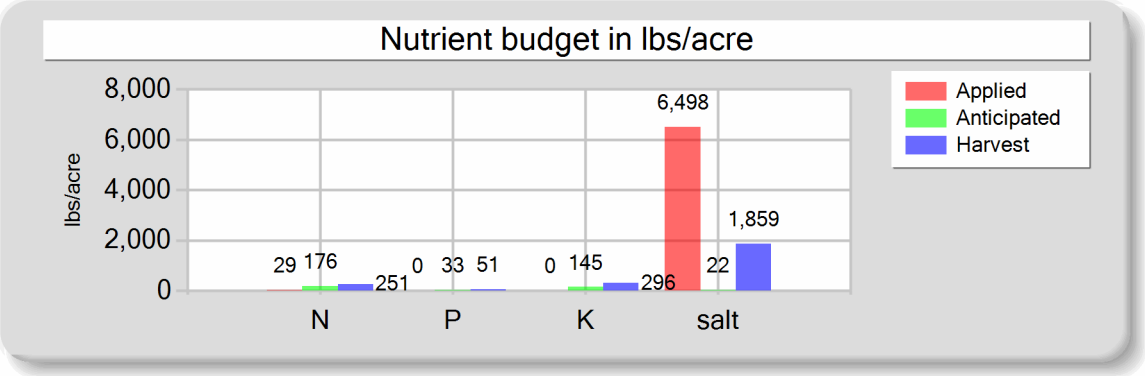

	Total N (lbs/acre)	Total P (lbs/acre)	Total K (lbs/acre)	Total salt (lbs/acre)
Existing soil nutrient content	0.00	0.00	0.00	0.00
Plowdown credit	0.00	0.00	0.00	0.00
Commercial fertilizer / Other	0.00	0.00	0.00	0.00
Dry manure	0.00	0.00	0.00	0.00
Process wastewater	0.00	0.00	0.00	0.00
Fresh water	22.38	0.00	0.00	6,497.84
Atmospheric deposition	7.00	0.00	0.00	0.00
Total nutrients applied	29.38	0.00	0.00	6,497.84
Anticipated crop nutrient removal	176.00	33.00	145.20	22.00
Actual crop nutrient removal	251.29	51.04	295.79	1,858.53
Nutrient balance	-221.91	-51.04	-295.79	4,639.31
Applied to removed ratio	0.12	0.00	0.00	3.50

Fresh water applied	
36,216,333.40	*gallons*
1,333.72	*acre-inches*
41.68	*inches/acre*

Process wastewater applied	
0.00	*gallons*
0.00	*acre-inches*
0.00	*inches/acre*

Total harvests for the crop	
1	*harvests*

Field 4 - 10/08/2016: Alfalfa, hay

Field name: Field 4 Crop: Alfalfa, hay Plant date: 10/08/2016

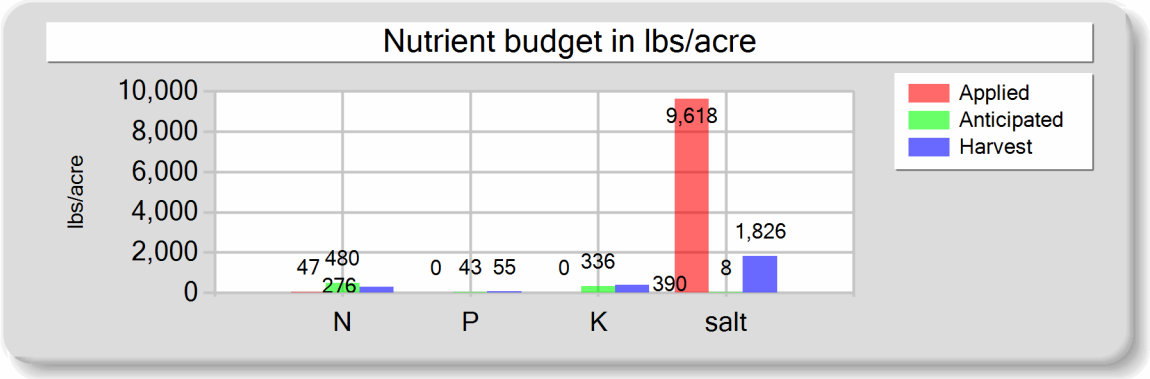

	Total N (lbs/acre)	Total P (lbs/acre)	Total K (lbs/acre)	Total salt (lbs/acre)
Existing soil nutrient content	0.00	0.00	0.00	0.00
Plowdown credit	0.00	0.00	0.00	0.00
Commercial fertilizer / Other	0.00	0.00	0.00	0.00
Dry manure	0.00	0.00	0.00	0.00
Process wastewater	0.00	0.00	0.00	0.00
Fresh water	33.13	0.00	0.00	9,618.15
Atmospheric deposition	14.00	0.00	0.00	0.00
Total nutrients applied	47.13	0.00	0.00	9,618.15
Anticipated crop nutrient removal	480.00	43.20	336.00	8.00
Actual crop nutrient removal	276.36	54.71	390.11	1,826.28
Nutrient balance	-229.22	-54.71	-390.11	7,791.86
Applied to removed ratio	0.17	0.00	0.00	5.27

Fresh water applied	
67,009,554.06	*gallons*
2,467.73	*acre-inches*
61.69	*inches/acre*

Process wastewater applied	
0.00	*gallons*
0.00	*acre-inches*
0.00	*inches/acre*

Total harvests for the crop	
3	*harvests*

NUTRIENT ANALYSES

A. MANURE ANALYSES

No manure analyses entered.

B. PROCESS WASTEWATER ANALYSES

Lagoon Sample

Sample and source description: Lagoon Sample

Sample date: 06/21/2023 Material type: Process wastewater Source of analysis: Lab analysis pH: _____

	Kjeldahl-N (mg/L)	NH4-N (mg/L)	NH3-N (mg/L)	Nitrate-N (mg/L)	Total P (mg/L)	Total K (mg/L)	Calcium (mg/L)	Magnes. (mg/L)	Sodium (mg/L)	Bicarb. (mg/L)	Carb. (mg/L)	Sulfate (mg/L)	Chloride (mg/L)	EC (µmhos/cm)	TDS (mg/L)
Value	857.00	28.00	0.00	0.00	25.60	396.00								2,800.00	1,980
DL	0.01	0.01	0.01	0.01	0.01	0.01								0.01	1

C. FRESH WATER ANALYSES

TID CANAL

Canal Sample

Sample description: Canal Sample

Sample date: 06/20/2023 Source of analysis: Lab analysis

	Total N (mg/L)	NH4-N (mg/L)	Nitrate-N (mg/L)	Calcium (mg/L)	Magnesium (mg/L)	Sodium (mg/L)	Bicarbonate (mg/L)	Carbonate (mg/L)	Sulfate (mg/L)	Chloride (mg/L)	EC (µmhos/cm)	TDS (mg/L)
Value	2.37		2.37								1,147.00	688
DL	0.01		0.01								1.00	1

W-1

W-1

Domestic Well

Sample description: Domestic Well

Sample date: 06/21/2023 Source of analysis: Lab analysis

	Total N (mg/L)	NH4-N (mg/L)	Nitrate-N (mg/L)	Calcium (mg/L)	Magnesium (mg/L)	Sodium (mg/L)	Bicarbonate (mg/L)	Carbonate (mg/L)	Sulfate (mg/L)	Chloride (mg/L)	EC (µmhos/cm)	TDS (mg/L)
Value	46.10	0.00	46.10								1,240.00	793
DL	0.01	0.01	0.01								0.01	1

W-2

Domestic Well

Sample description: Domestic Well

Sample date: 06/21/2023 Source of analysis: Lab analysis

	Total N (mg/L)	NH4-N (mg/L)	Nitrate-N (mg/L)	Calcium (mg/L)	Magnesium (mg/L)	Sodium (mg/L)	Bicarbonate (mg/L)	Carbonate (mg/L)	Sulfate (mg/L)	Chloride (mg/L)	EC (µmhos/cm)	TDS (mg/L)
Value	32.90	0.00	32.90								1,590.00	1,020
DL	1.00	0.01	0.01								0.01	1

W-3

Domestic Well

Sample description: Domestic Well

Sample date: 06/21/2023 Source of analysis: Lab analysis

	Total N (mg/L)	NH4-N (mg/L)	Nitrate-N (mg/L)	Calcium (mg/L)	Magnesium (mg/L)	Sodium (mg/L)	Bicarbonate (mg/L)	Carbonate (mg/L)	Sulfate (mg/L)	Chloride (mg/L)	EC (µmhos/cm)	TDS (mg/L)
Value	35.00		35.00								1,340.00	858
DL	0.01		0.01								0.01	1

D. SOIL ANALYSES

No soil analyses entered.

E. PLANT TISSUE ANALYSES

Field 2 - 10/26/2022: Oats, silage-soft dough

Winter Forage

Sample and source description: Winter Forage

Sample date: 04/17/2023 Source of analysis: Lab analysis Method of reporting: Dry-weight

Moisture: 41.2 %

	Total N (mg/kg)	Total P (mg/kg)	Total K (mg/kg)	Total salt (mg/kg)	TFS (%)
Value	13,900.00	3,600.00	27,600.00		14.90
DL	0.01	0.01	0.01		1.00

Field 2 - 06/06/2023: Corn, silage

Corn Silage

Sample and source description: Corn Silage

Sample date: 10/24/2023 Source of analysis: Lab analysis Method of reporting: Dry-weight

Moisture: 44.6 %

	Total N (mg/kg)	Total P (mg/kg)	Total K (mg/kg)	Total salt (mg/kg)	TFS (%)
Value	9,600.00	1,950.00	11,300.00		7.10
DL	0.01	0.01	0.01		1.00

Field 4 - 10/08/2016: Alfalfa, hay

Field 4 - 10/08/2016: Alfalfa, hay

Winter Forage

Sample and source description: Winter Forage

Sample date: 04/17/2023 Source of analysis: Lab analysis Method of reporting: Dry-weight

Moisture: 41.2 %

	Total N (mg/kg)	Total P (mg/kg)	Total K (mg/kg)	Total salt (mg/kg)	TFS (%)
Value	13,900.00	3,600.00	27,600.00		14.90
DL	0.01	0.01	0.01		1.00

F. SUBSURFACE (TILE) DRAINAGE ANALYSES

No subsurface (tile) drainage analyses entered.

NUTRIENT APPLICATIONS, POTENTIAL REMOVAL, AND BALANCE

A. SUMMARY OF NUTRIENT APPLICATIONS, POTENTIAL REMOVAL, AND BALANCE

	Total N (lbs)	Total P (lbs)	Total K (lbs)	Total salt (lbs)
Existing soil nutrient content	0.00	0.00	0.00	0.00
Plowdown credit	0.00	0.00	0.00	0.00
Commercial fertilizer / Other	0.00	0.00	0.00	0.00
Dry manure	0.00	0.00	0.00	0.00
Process wastewater	0.00	0.00	0.00	0.00
Fresh water	2,041.57	0.00	0.00	592,656.98
Atmospheric deposition	1,008.00	0.00	0.00	0.00
Total nutrients applied	3,049.57	0.00	0.00	592,656.98
Anticipated crop nutrient removal	28,032.00	3,296.00	20,742.40	1,344.00
Actual crop nutrient removal	23,100.49	4,859.12	33,021.92	175,454.29
Nutrient balance	-20,050.93	-4,859.12	-33,021.92	417,202.70
Applied to removed ratio	0.13	0.00	0.00	3.38

B. POUNDS OF NUTRIENT APPLIED VS. CROP REMOVAL

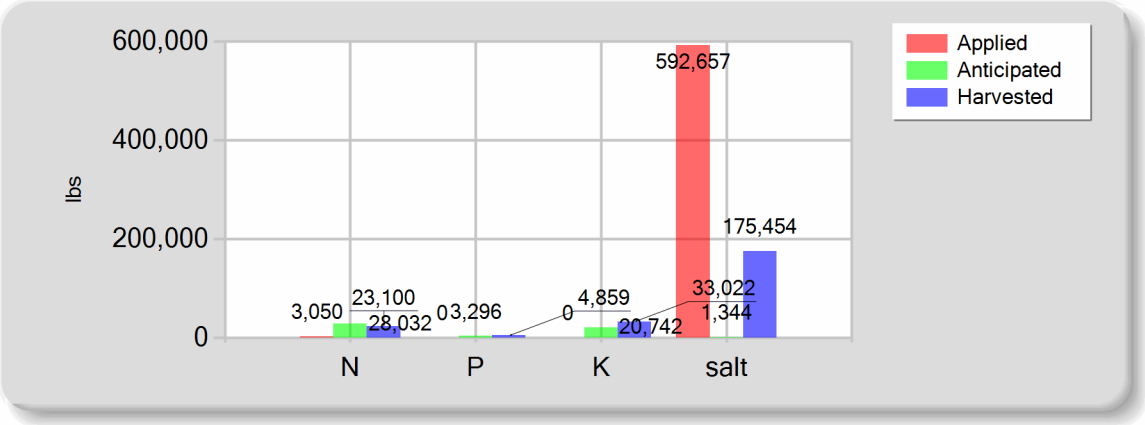

C. POUNDS OF NUTRIENT APPLIED BY MATERIAL TYPE

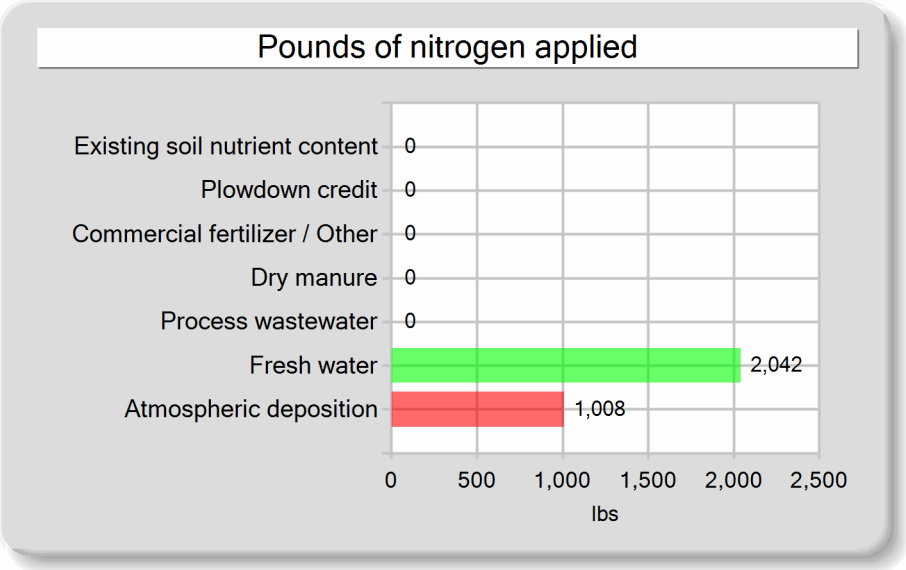

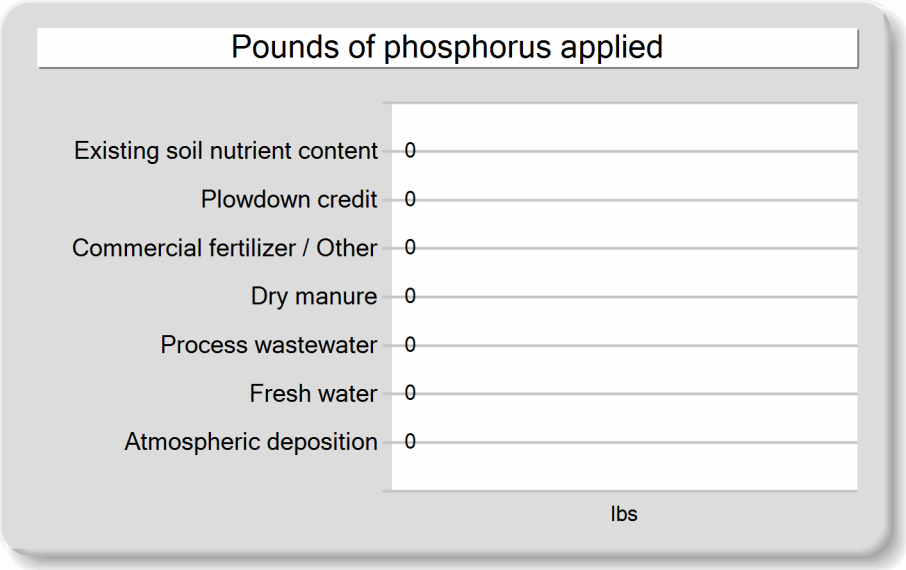

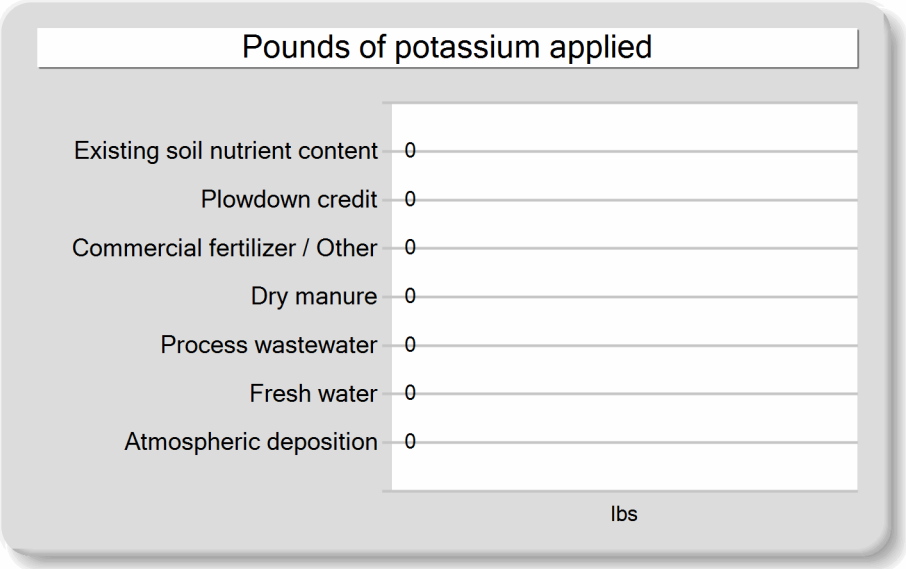

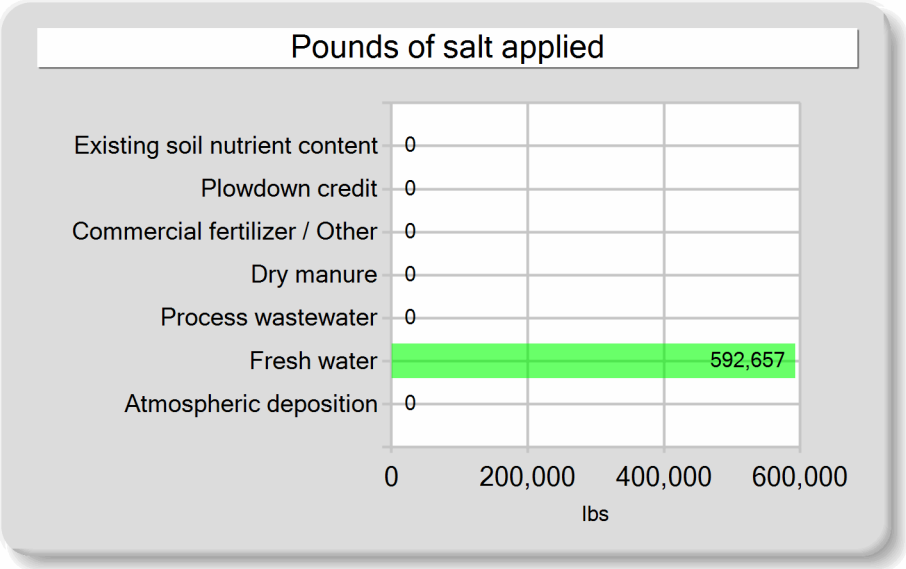

EXCEPTION REPORTING

A. MANURE, PROCESS WASTEWATER, AND OTHER DAIRY WASTE DISCHARGES

The following is a summary of all manure and process wastewater discharges from the production area to surface water or to land areas (land application areas or otherwise) when not in accordance with the facility's Nutrient Management Plan.

No manure or process wastewater discharges occurred during the reporting period.

B. STORM WATER DISCHARGES

The following is a summary of all storm water discharges from the production area to surface water during the reporting period when not in accordance with the facility 's Nutrient Management Plan.

No stormwater discharges occurred during the reporting period.

C. LAND APPLICATION AREA TO SURFACE WATER DISCHARGES

The following is a summary of all discharges from the land application area to surface water that have occurred during the reporting period when not in accordance with the facility's Nutrient Management Plan.

No land application area to surface water discharges occurred during the reporting period.

NUTRIENT MANAGEMENT PLAN AND EXPORT AGREEMENT STATEMENTS

A. NUTRIENT MANAGEMENT PLAN STATEMENTS

Was the facility's NMP updated in the reporting period?	No
Was the facility's NMP developed by a certified nutrient management planner (specialist) as specified in Attachment C of the General Order?	Yes
Was the facility's NMP approved by a certified nutrient management planner (specialist) as specified in Attachment C of the General Order?	Yes

B. EXPORT AGREEMENT STATEMENT

Are there any written agreements with third parties to receive manure or process wastewater that are new or were revised within the reporting period?	No

ADDITIONAL NOTES

A. NOTES

Very little manure is generated to apply to the land. There are no Lagoon or Solid Manure Applications. No Fresh water was applied to the oats in R2.

ANNUAL REPORT VALIDATION INFORMATION

A. VALIDATION ERRORS

The following sections contain validation errors and should be reviewed before submitting the Annual Report :

1. Land Application Events

CERTIFICATION

A. OWNER AND/OR OPERATOR CERTIFICATION

I certify under penalty of law that I have personally examined and am familiar with the information submitted in this document and all attachments and that, based on my inquiry of those individuals immediately responsible for obtaining the information, I believe that the information is true, accurate, and complete. I am aware that there are significant penalties for submitting false information, including the possibility of fine and imprisonment.

SIGNATURE OF OWNER OF FACILITY	SIGNATURE OF OPERATOR OF FACILITY
Arnold Borba	SAME AS OWNER
PRINT OR TYPE NAME	PRINT OR TYPE NAME
DATE	DATE

ATTACHMENTS

A. REQUIRED ATTACHMENTS

The following lists the required documents that should be attached to the Annual Report when submitted .

Annual Dairy Facility Assessment
Provide an Annual Dairy Facility Assessment (an update to the Preliminary Dairy Facility Assessment in Attachment A) for each reporting period. On the PDFA Final page, click on the ADFA Report button to generate an ADFA report after updating information as needed .

Manure/Process Wastewater Tracking Manifests
Provide copies of all manure/process wastewater tracking manifests for the reporting period, signed by both the owner/operator and the hauler.

Corrective Actions Documents
Provide records documenting any corrective actions taken to correct deficiencies noted as a result of the inspections required in the Monitoring Requirements of the General Order. Deficiencies not corrected in 30 days must be accompanied by an explanation of the factors preventing immediate correction.

Groundwater Monitoring
Dischargers that monitor supply wells or subsurface (tile) drainage systems, or that have monitoring well systems must submit monitoring results as directed in the General Order, Groundwater Reporting Section starting on page MRP-13.

Storm Water Monitoring
Dischargers that are required to monitor storm water more frequently than required in the General Order must submit monitoring results as directed in the General Order, Storm Water Reporting Section on page MRP-14.

Denele Analytical, Inc.

865 South Kilroy Avenue Turlock, CA 95380
Phone (209) 634-9055 - Fax (209) 634-9057

40 N. East Street, Woodland, CA 95776
Phone (530) 666-9056 - Fax (530) 666-9058

www.denelelabs.com

Compliance Analysis Report

Customer
Joe Borba Dairy, Inc.
3431 South Moffet Rd
Turlock, CA 95380

Grower

Consultant:
Central Valley Ag Consulting
P.O. Box 582085
Modesto, CA 95358

PURCHASE ORDER:
RECEIVED DATE: 6/21/23 8:30 AM
SUBMITTED BY: Arnold
ANALYZED DATE: 6/21/23

Irrigation/ Ground Water (H1)
SOURCE: Well Water

NOTES: Temperature was above qualifying at 19.2c

Sample ID	Lab ID	Analyte	Method Ref	Result	Units
Well 1	T3172003A	Electrical Conductivity (EC)	EPA 120.1 and	1.24	mmhos/cm
		Nitrate Nitrogen (NO3-N)	EPA 353.2	46.1	mg/L
		Ammonia Nitrogen (NH3-N)	SM 4500-NH3 D,C	< 0.500	mg/L
		Soluble Salts (SALT-SOL)	Calculation	793	mg/L

Laboratory Quality Control	LCS %	MS %	MSD %	RPD %
Ammonia Nitrogen (NH3-N)	93.8	96.3 (T3172003A)	96.9 (T3172003A)	0.620
Electrical Conductivity (EC)	97.3			0.081
Nitrate Nitrogen (NO3-N)	109	97.2 (W3167002A)	91.4 (W3167002A)	6.19

The warranty of Denele Analytical is limited to the accuracy of the analyses of the samples as received. Denele Analytical assumes no responsibility for which the customer uses our test results, nor liability for any other warranties, express or implied. These terms and conditions shall supercede any conflicting terms and conditions submitted on customer purchase orders or other forms submitted for work.

ELAP Certificate No.: 2714

Denele Analytical, Inc.

865 South Kilroy Avenue Turlock, CA 95380
Phone (209) 634-9055 - Fax (209) 634-9057

40 N. East Street, Woodland, CA 95776
Phone (530) 666-9056 - Fax (530) 666-9058

www.denelelabs.com

Compliance Analysis Report

Customer
Joe Borba Dairy, Inc.
3431 South Moffet Rd
Turlock, CA 95380

Grower

Consultant:
Central Valley Ag Consulting
P.O. Box 582085
Modesto, CA 95358

PURCHASE ORDER:
RECEIVED DATE: 6/21/23 8:30 AM
SUBMITTED BY: Arnold
ANALYZED DATE: 6/21/23

Irrigation/ Ground Water (H1)
SOURCE: Well Water

NOTES: Temperature was above qualifying at 18.0c

Sample ID	Lab ID	Analyte	Method Ref	Result	Units
Well 2	T3172003B	Electrical Conductivity (EC)	EPA 120.1 and	1.59	mmhos/cm
		Nitrate Nitrogen (NO3-N)	EPA 353.2	32.9	mg/L
		Ammonia Nitrogen (NH3-N)	SM 4500-NH3 D,C	< 0.500	mg/L
		Soluble Salts (SALT-SOL)	Calculation	1020	mg/L

Laboratory Quality Control	LCS %	MS %	MSD %	RPD %
Ammonia Nitrogen (NH3-N)	93.8	96.3 (T3172003A)	96.9 (T3172003A)	0.620
Electrical Conductivity (EC)	97.3			0.081
Nitrate Nitrogen (NO3-N)	109	97.2 (W3167002A)	91.4 (W3167002A)	6.19

The warranty of Denele Analytical is limited to the accuracy of the analyses of the samples as received. Denele Analytical assumes no responsibility for which the customer uses our test results, nor liability for any other warranties, express or implied. These terms and conditions shall supercede any conflicting terms and conditions submitted on customer purchase orders or other forms submitted for work.

ELAP Certificate No.: 2714

Denele Analytical, Inc.

865 South Kilroy Avenue Turlock, CA 95380
Phone (209) 634-9055 - Fax (209) 634-9057

40 N. East Street, Woodland, CA 95776
Phone (530) 666-9056 - Fax (530) 666-9058

www.denelelabs.com

Compliance Analysis Report

Customer
Joe Borba Dairy, Inc.
3431 South Moffet Rd
Turlock, CA 95380

Grower

Consultant:
Central Valley Ag Consulting
P.O. Box 582085
Modesto, CA 95358

PURCHASE ORDER:
RECEIVED DATE: 6/21/23 8:30 AM
SUBMITTED BY: Arnold
ANALYZED DATE: 6/21/23

Irrigation/ Ground Water (H1)
SOURCE: Well Water

NOTES: Temperature was above qualifying at 18.8c

Sample ID	Lab ID	Analyte	Method Ref	Result	Units
Well 3	T3172003C	Electrical Conductivity (EC)	EPA 120.1 and	1.34	mmhos/cm
		Nitrate Nitrogen (NO3-N)	EPA 353.2	35.0	mg/L
		Ammonia Nitrogen (NH3-N)	SM 4500-NH3 D,C	< 0.500	mg/L
		Soluble Salts (SALT-SOL)	Calculation	858	mg/L

Laboratory Quality Control	LCS %	MS %	MSD %	RPD %
Ammonia Nitrogen (NH3-N)	93.8	96.3 (T3172003A)	96.9 (T3172003A)	0.620
Electrical Conductivity (EC)	97.3			0.081
Nitrate Nitrogen (NO3-N)	109	97.2 (W3167002A)	91.4 (W3167002A)	6.19

The warranty of Denele Analytical is limited to the accuracy of the analyses of the samples as received. Denele Analytical assumes no responsibility for which the customer uses our test results, nor liability for any other warranties, express or implied. These terms and conditions shall supercede any conflicting terms and conditions submitted on customer purchase orders or other forms submitted for work.

ELAP Certificate No.: 2714

DENELE ANALYTICAL, INC.

865 S. KILROY
TURLOCK, CA 95380

PH# 209-634-9055 FAX# 209-634-9057

DAIRY COMPLIANCE

Client: Joe Borba Dairy LLC
Mailing address: 3431 S Moffett Rd Turlock 95380
(not facility address)
Phone#:

Authorized Copy Released To: CVAC

Sampled By: Arnold
Project ID:

ANALYSIS TO BE COMPLETED:

IRRIGATION/GROUND WATER
- **H1** EC*, NO3-N, NH4-N*
- **H6** EC, TN, TDS
- **H7** Combination of H1 & H6
- **H14** EC, NO3-N, NH4-N, Ca, Mg, Na, Bicarb Carb, SO4, Cl, TDS

PROCESS WASTE WATER
- **H3** EC*, NH4-N, TKN, TP, K, TDS
- **H4** EC*, NO3-N, NH4-N, TKN, TP, K, TDS
- **H5** Ca, Mg, Na, Bicarb, Carb, SO4, Cl
- **H8** Combination of H3 &H5
- **H9** Combination of H4 &H5

TILE DRAIN
- **H2** EC*, NO3-N, TP, NH4-N*, TDS

** Required Field Measurement*

___ (Check here if performed)

DISCHARGE WATER
- **E1** EC*, Temp*, pH*, NO3-N, NH4-N, TKN, TP, K, TDS, Dissolved Oxygen*, BOD 5, TSS, Total & Fecal Coliforms
- **E2** EC,* Temp*, pH*, NO3-N, NH4-N*, Turbidity, TP, Dissolved Oxygen*, Total & Fecal Coliforms
- **E3** EC*, Temp*, pH*, NO3-N, NH4-N*, TP, Total & Fecal Coliforms
- **E4** EC*, Temp*, pH*, NO3-N, NH4-N*, Turbidity, TP, Total & Fecal Coliform

MANURE
- **M1** % Moisture
- **M3** TN TP, K, % Moisture
- **M4** Ca, Mg, Na, Bicarb, Carb, SO4, Cl, Ash
- **M7** Combination of M3 & M4

PLANT TISSUE
- **F18** % Moisture, Ash, TN, P, K, DM and as received
- **F18+** % Moisture, Ash, TN, P, K, DM and as received (Package also includes NIR DCAD)
- **F19+** % Moisture, TN (Package includes complete plant tissue analysis)

SOIL
- **K3** Soluble Phosphorus
- **K4** 1ft NO3, Organic Matter
- **K5** Pre-Plant (2ft NO3), Fall (1-2ft NO3), Fall (2-3ft NO3)
- **K6** 0-1ft EC, NO3, Soluble P, K, Organic Matter
- **K7** Combination of K3 & K4
- **K8** Combination of K3 & K5

	Date Collected	Time Collected	Sample ID	Description	Temp	Well Purge	Analysis: H1	H3	M3	F18	OTHER
1	~~W-1~~										
2	6-21	7:15	Well 1		19.2°		X				
3	6-21	7:00	Well 2		18.0°		X				
4	6-21	7:30	Well 3		18.8°		X				
5	6-21	7:45	Lagon		19.6°			X			
6											
7											
8											
9											
10											

CHAIN OF CUSTODY RECORDING

	Signature	Company	Received Date & Time	Relinquished Date & Time	(LABORATORY USE ONLY) Logged in By:	LABORATORY NUMBER
1st	Arnold A Borba					
2nd		DENELE ANALYTICAL, INC.	6-21-23 8:30			T 3172003

Required to be submitted to any agency? (YES / NO)