Annual Report - General Order No. R5-2007-0035
Reporting period 01/01/2023 to 12/31/2023.

DAIRY FACILITY INFORMATION

A. NAME OF DAIRY OR BUSINESS OPERATING THE DAIRY: Furtado Farms Inc.

Physical address of dairy:

3449 Paradise RD	Modesto	Stanislaus	95358
Number and Street	City	County	Zip Code

Street and nearest cross street (if no address):

Date facility was originally placed in operation: 01/01/1950

Regional Water Quality Control Board Basin Plan designation: San Joaquin River Basin

County Assessor Parcel Number(s) for dairy facility:

X007-X010-X007-XXXX X017-X010-X028-XXXX X017-X010-X029-XXXX

B. OPERATORS

Furtado, Manuel B

Operator name: Furtado, Manuel B

Telephone no.: (209) 544-8416 Landline (209) 480-4911 Cellular

1949 Pauline AVE	Modesto	CA	95358
Mailing Address Number and Street	City	State	Zip Code

This operator is responsible for paying permit fees.

C. OWNERS

Furtado, Manuel B

Legal owner name: Furtado, Manuel B

Telephone no.: (209) 544-8416 Landline (209) 480-4911 Cellular

1949 Pauline AVE	Modesto	CA	95358
Mailing Address Number and Street	City	State	Zip Code

This owner is responsible for paying permit fees.

AVAILABLE NUTRIENTS

A. HERD INFORMATION

	Milk Cows	Dry Cows	Bred Heifers (15-24 mo.)	Heifers (7-14 mo. to breeding)	Calves (4-6 mo.)	Calves (0-3 mo.)
Number open confinement	0	0	10	0	150	220
Number under roof	0	0	185	45	0	0
Maximum number	0	0	200	50	150	230
Average number	0	0	195	45	150	220
Avg live weight (lbs)	0	0	950	700		

Predominant milk cow breed: Holstein

Average milk production: 1 *pounds per cow per day*

B. MANURE GENERATED

Total manure excreted by the herd: 3,715.45 *tons per reporting period*

Total nitrogen from manure: 41,683.00 *lbs per reporting period*

After ammonia losses (30% loss applied): 29,178.10 *lbs per reporting period*

Total phosphorus from manure: 5,191.40 *lbs per reporting period*

Total potassium from manure: 1.00 *lbs per reporting period*

Total salt from manure: 0.00 *lbs per reporting period*

C. PROCESS WASTEWATER GENERATED

Process wastewater generated: 567,000 *gallons*

Total nitrogen generated: 2,744.34 *lbs*

Total phosphorus generated: 447.14 *lbs*

Total potassium generated: 10,314.92 *lbs*

Total salt generated: 45,044.97 *lbs*

	567,000	*gallons applied*
+	0	*gallons exported*
-	0	*gallons imported*
=	567,000	*gallons generated*

D. FRESH WATER SOURCES

Source Description	Type
MID Lateral 5	Surface water

E. SUBSURFACE (TILE) DRAINAGE SOURCES

No subsurface (tile) drainage sources entered.

F. NUTRIENT IMPORTS

No dry manure nutrient imports entered.

No process wastewater nutrient imports entered.

Date	Material type / Description	Quantity	Reporting basis	Moisture (%)	N (%)	P (%)	K (%)	Salt (%)
05/14/2023	Solid commercial fertilizer *CAN17*	0.68 *ton*	Dry-weight	0.1	17.000000	0.000000	0.000000	0.000000
06/30/2023	Solid commercial fertilizer *Ammonium Nitrate*	6.75 *ton*	Dry-weight	0.1	34.000000	0.000000	0.000000	0.000000
08/02/2023	Solid commercial fertilizer *UN32*	4.44 *ton*	Dry-weight	0.1	32.000000	0.000000	0.000000	0.000000
08/22/2023	Solid commercial fertilizer *Triple 15*	4.07 *ton*	Dry-weight	0.1	15.000000	15.000000	15.000000	0.000000

Material type	Total N (lbs)	Total P (lbs)	Total K (lbs)	Total salt (lbs)
Commercial fertilizer / Other	8,874.92	1,219.78	1,219.78	0.00
Dry manure	0.00	0.00	0.00	0.00
Process wastewater	0.00	0.00	0.00	0.00
Total imports for all materials	8,874.92	1,219.78	1,219.78	0.00

G. NUTRIENT EXPORTS

No solid nutrient exports entered.

No liquid nutrient exports entered.

APPLICATION AREA

A. LIST OF LAND APPLICATION AREAS

Field name	Controlled acres	Cropable acres	Total harvests	Type of waste applied	Parcel number
Field 1	15	15	1	process wastewater	X017-X010-X028-XXXX
Field 10	17	17	1	none	X017-X029-X019-XXXX
Field 2	4	4	1	manure	X017-X010-X007-XXXX
Field 3	17	17	1	manure	X017-X010-X007-XXXX X017-X010-X028-XXXX
Field 5	41	41	1	process wastewater	X017-X010-X004-XXXX
Field 6	37	37	1	none	X017-X010-X003-XXXX
Field 7	18	18	1	manure	X017-X056-X003-XXXX
Field 9	19	19	1	manure	X017-X054-X039-XXXX
Totals for areas that were used for application	114	114	6		
Totals for areas that were not used for application	54	54	2		
Land application area totals	168	168	8		

B. CROPS AND HARVESTS

Field 1

Field name: Field 1

02/02/2015: Peach

Crop: Peach Acres planted: 15 Plant date: 02/02/2015

Harvest date	Yield	Reporting basis	Density (lbs/cu ft)	Moisture (%)	N (mg/kg)	P (mg/kg)	K (mg/kg)	Salt (mg/kg)	TFS (%)
07/30/2023	385.60 *ton*	As-is		90.0	1,970.00	190.00	1,800.00		42.40

	Yield (tons/acre)	Total N (lbs/acre)	Total P (lbs/acre)	Total K (lbs/acre)	Salt (lbs/acre)
Anticipated harvest content	26.00	163.80	70.20	171.60	0.00
Total actual harvest content	25.71	101.28	9.77	92.54	2,179.93

Field 10

Field name: Field 10

Field 10

02/12/2007: Peach

Crop: Peach Acres planted: 17 Plant date: 02/12/2007

Harvest date	Yield	Reporting basis	Density (lbs/cu ft)	Moisture (%)	N (mg/kg)	P (mg/kg)	K (mg/kg)	Salt (mg/kg)	TFS (%)
08/18/2023	440.70 *ton*	As-is		90.0	1,970.00	190.00	1,800.00		42.40

	Yield (tons/acre)	Total N (lbs/acre)	Total P (lbs/acre)	Total K (lbs/acre)	Salt (lbs/acre)
Anticipated harvest content	26.00	1,040.00	78.00	748.80	0.00
Total actual harvest content	25.92	102.14	9.85	93.32	2,198.32

Field 2

Field name: Field 2

02/10/2020: Almond, in shell

Crop: Almond, in shell Acres planted: 4 Plant date: 02/10/2020

Harvest date	Yield	Reporting basis	Density (lbs/cu ft)	Moisture (%)	N (mg/kg)	P (mg/kg)	K (mg/kg)	Salt (mg/kg)	TFS (%)
09/18/2023	19.20 *ton*	As-is		9.0	10,700.00	880.00	23,600.00		8.67

	Yield (tons/acre)	Total N (lbs/acre)	Total P (lbs/acre)	Total K (lbs/acre)	Salt (lbs/acre)
Anticipated harvest content	5.00	215.00	36.50	232.50	0.00
Total actual harvest content	4.80	102.72	8.45	226.56	757.41

Field 3

Field name: Field 3

Field 3

02/10/2020: Walnuts

Crop: Walnuts Acres planted: 17 Plant date: 02/10/2020

Harvest date	Yield	Reporting basis	Density (lbs/cu ft)	Moisture (%)	N (mg/kg)	P (mg/kg)	K (mg/kg)	Salt (mg/kg)	TFS (%)
12/31/2023	0.01 *ton*	As-is		0.1	0.00	0.00	0.00		0.00

	Yield (tons/acre)	Total N (lbs/acre)	Total P (lbs/acre)	Total K (lbs/acre)	Salt (lbs/acre)
Anticipated harvest content	0.10	0.10	0.01	0.01	0.00
Total actual harvest content	0.00	0.00	0.00	0.00	0.00

Field 5

Field name: Field 5

02/10/2017: Peach

Crop: Peach Acres planted: 41 Plant date: 02/10/2017

Harvest date	Yield	Reporting basis	Density (lbs/cu ft)	Moisture (%)	N (mg/kg)	P (mg/kg)	K (mg/kg)	Salt (mg/kg)	TFS (%)
08/14/2023	1,033.20 *ton*	As-is		90.0	1,970.00	190.00	1,800.00		42.40

	Yield (tons/acre)	Total N (lbs/acre)	Total P (lbs/acre)	Total K (lbs/acre)	Salt (lbs/acre)
Anticipated harvest content	25.00	157.50	67.50	165.00	0.00
Total actual harvest content	25.20	99.29	9.58	90.72	2,136.96

Field 6

Field name: Field 6

Field 6

02/18/2023: Almond, in shell

Crop: Almond, in shell Acres planted: 37 Plant date: 02/18/2023

Harvest date	Yield	Reporting basis	Density (lbs/cu ft)	Moisture (%)	N (mg/kg)	P (mg/kg)	K (mg/kg)	Salt (mg/kg)	TFS (%)
12/31/2023	0.01 *ton*	As-is		0.1	0.00	0.00	0.00		0.00

	Yield (tons/acre)	Total N (lbs/acre)	Total P (lbs/acre)	Total K (lbs/acre)	Salt (lbs/acre)
Anticipated harvest content	1.00	1.00	0.10	0.10	0.00
Total actual harvest content	0.00	0.00	0.00	0.00	0.00

Field 7

Field name: Field 7

02/01/2013: Walnuts

Crop: Walnuts Acres planted: 18 Plant date: 02/01/2013

Harvest date	Yield	Reporting basis	Density (lbs/cu ft)	Moisture (%)	N (mg/kg)	P (mg/kg)	K (mg/kg)	Salt (mg/kg)	TFS (%)
10/26/2023	36.10 *ton*	As-is		7.0	38,600.00	4,420.00	5,780.00		1.78

	Yield (tons/acre)	Total N (lbs/acre)	Total P (lbs/acre)	Total K (lbs/acre)	Salt (lbs/acre)
Anticipated harvest content	2.50	100.00	7.50	72.00	0.00
Total actual harvest content	2.01	154.83	17.73	23.18	66.40

Field 9

Field name: Field 9

Field 9

02/17/2008: Walnuts

Crop: Walnuts Acres planted: 19 Plant date: 02/17/2008

Harvest date	Yield	Reporting basis	Density (lbs/cu ft)	Moisture (%)	N (mg/kg)	P (mg/kg)	K (mg/kg)	Salt (mg/kg)	TFS (%)
10/26/2023	39.50 *ton*	As-is		7.0	38,600.00	4,420.00	5,780.00		1.78

	Yield (tons/acre)	Total N (lbs/acre)	Total P (lbs/acre)	Total K (lbs/acre)	Salt (lbs/acre)
Anticipated harvest content	2.50	100.00	7.50	72.00	0.00
Total actual harvest content	2.08	160.49	18.38	24.03	68.83

NUTRIENT BUDGET

A. LAND APPLICATIONS

Field 1 - 02/02/2015: Peach

Field name: Field 1

Crop: Peach

Plant date: 02/02/2015

Application date	Application method	Precipitation 24 hours prior	Precipitation during application	Precipitation 24 hours following
08/02/2022	Surface (irrigation)	No precipitation	No precipitation	No precipitation

Source description	Material type	N (lbs/acre)	P (lbs/acre)	K (lbs/acre)	Salt (lbs/acre)	Amount
MID Lateral 5	Surface water	0.00	0.00	0.00	78.94	1,773,750.00 *gal*
Application event totals		0.00	0.00	0.00	78.94	

Application date	Application method	Precipitation 24 hours prior	Precipitation during application	Precipitation 24 hours following
08/31/2022	Surface (irrigation)	No precipitation	No precipitation	No precipitation

Source description	Material type	N (lbs/acre)	P (lbs/acre)	K (lbs/acre)	Salt (lbs/acre)	Amount
MID Lateral 5	Surface water	0.00	0.00	0.00	78.94	1,773,750.00 *gal*
Application event totals		0.00	0.00	0.00	78.94	

Application date	Application method	Precipitation 24 hours prior	Precipitation during application	Precipitation 24 hours following
09/25/2022	Surface (irrigation)	No precipitation	No precipitation	No precipitation

Source description	Material type	N (lbs/acre)	P (lbs/acre)	K (lbs/acre)	Salt (lbs/acre)	Amount
MID Lateral 5	Surface water	0.00	0.00	0.00	71.77	1,612,500.00 *gal*
Application event totals		0.00	0.00	0.00	71.77	

Application date	Application method	Precipitation 24 hours prior	Precipitation during application	Precipitation 24 hours following
04/15/2023	Surface (irrigation)	No precipitation	No precipitation	No precipitation

Source description	Material type	N (lbs/acre)	P (lbs/acre)	K (lbs/acre)	Salt (lbs/acre)	Amount
WWS	Process wastewater	43.56	7.10	163.73	715.00	135,000.00 *gal*
MID Lateral 5	Surface water	0.00	0.00	0.00	33.19	1,612,500.00 *gal*
Application event totals		43.56	7.10	163.73	748.19	

Application date	Application method	Precipitation 24 hours prior	Precipitation during application	Precipitation 24 hours following
05/04/2023	Surface (irrigation)	No precipitation	No precipitation	No precipitation

Source description	Material type	N (lbs/acre)	P (lbs/acre)	K (lbs/acre)	Salt (lbs/acre)	Amount
MID Lateral 5	Surface water	0.00	0.00	0.00	36.51	1,773,750.00 *gal*
Application event totals		0.00	0.00	0.00	36.51	

Field 1 - 02/02/2015: Peach

Application date	Application method	Precipitation 24 hours prior	Precipitation during application	Precipitation 24 hours following
05/18/2023	Banding	No precipitation	No precipitation	No precipitation

Source description	Material type	N (lbs/acre)	P (lbs/acre)	K (lbs/acre)	Salt (lbs/acre)	Amount
Ammonium Nitrate	Solid commercial fertilizer	25.50	0.00	0.00	0.00	
Application event totals		25.50	0.00	0.00	0.00	

05/19/2023	Surface (irrigation)	No precipitation	No precipitation	No precipitation

Source description	Material type	N (lbs/acre)	P (lbs/acre)	K (lbs/acre)	Salt (lbs/acre)	Amount
MID Lateral 5	Surface water	0.00	0.00	0.00	36.51	1,773,750.00 *gal*
Application event totals		0.00	0.00	0.00	36.51	

06/03/2023	Surface (irrigation)	No precipitation	No precipitation	No precipitation

Source description	Material type	N (lbs/acre)	P (lbs/acre)	K (lbs/acre)	Salt (lbs/acre)	Amount
MID Lateral 5	Surface water	0.00	0.00	0.00	36.51	1,773,750.00 *gal*
Application event totals		0.00	0.00	0.00	36.51	

06/18/2023	Surface (irrigation)	No precipitation	No precipitation	No precipitation

Source description	Material type	N (lbs/acre)	P (lbs/acre)	K (lbs/acre)	Salt (lbs/acre)	Amount
MID Lateral 5	Surface water	0.00	0.00	0.00	39.83	1,935,000.00 *gal*
Application event totals		0.00	0.00	0.00	39.83	

06/30/2023	Banding	No precipitation	No precipitation	No precipitation

Source description	Material type	N (lbs/acre)	P (lbs/acre)	K (lbs/acre)	Salt (lbs/acre)	Amount
Ammonium Nitrate	Solid commercial fertilizer	25.50	0.00	0.00	0.00	
Application event totals		25.50	0.00	0.00	0.00	

07/01/2023	Surface (irrigation)	No precipitation	No precipitation	No precipitation

Source description	Material type	N (lbs/acre)	P (lbs/acre)	K (lbs/acre)	Salt (lbs/acre)	Amount
MID Lateral 5	Surface water	0.00	0.00	0.00	39.83	1,935,000.00 *gal*
Application event totals		0.00	0.00	0.00	39.83	

Field 1 - 02/02/2015: Peach

Application date	Application method	Precipitation 24 hours prior	Precipitation during application	Precipitation 24 hours following
07/14/2023	Surface (irrigation)	No precipitation	No precipitation	No precipitation

Source description	Material type	N (lbs/acre)	P (lbs/acre)	K (lbs/acre)	Salt (lbs/acre)	Amount
MID Lateral 5	Surface water	0.00	0.00	0.00	39.83	1,935,000.00 *gal*
Application event totals		0.00	0.00	0.00	39.83	

Field 10 - 02/12/2007: Peach

Field name: Field 10

Crop: Peach

Plant date: 02/12/2007

Application date	Application method	Precipitation 24 hours prior	Precipitation during application	Precipitation 24 hours following
03/23/2022	Banding	No precipitation	No precipitation	No precipitation

Source description	Material type	N (lbs/acre)	P (lbs/acre)	K (lbs/acre)	Salt (lbs/acre)	Amount
Ammonium Nitrate	Solid commercial fertilizer	34.00	0.00	0.00	0.00	
Application event totals		34.00	0.00	0.00	0.00	

08/31/2022	Surface (irrigation)	No precipitation	No precipitation	No precipitation

Source description	Material type	N (lbs/acre)	P (lbs/acre)	K (lbs/acre)	Salt (lbs/acre)	Amount
MID Lateral 5	Surface water	0.00	0.00	0.00	79.30	2,019,375.00 *gal*
Application event totals		0.00	0.00	0.00	79.30	

09/25/2022	Surface (irrigation)	No precipitation	No precipitation	No precipitation

Source description	Material type	N (lbs/acre)	P (lbs/acre)	K (lbs/acre)	Salt (lbs/acre)	Amount
MID Lateral 5	Surface water	0.00	0.00	0.00	74.02	1,884,750.00 *gal*
Application event totals		0.00	0.00	0.00	74.02	

04/15/2023	Pipeline	No precipitation	No precipitation	No precipitation

Source description	Material type	N (lbs/acre)	P (lbs/acre)	K (lbs/acre)	Salt (lbs/acre)	Amount
MID Lateral 5	Surface water	0.00	0.00	0.00	34.23	1,884,750.00 *gal*
Application event totals		0.00	0.00	0.00	34.23	

Field 10 - 02/12/2007: Peach

Application date	Application method	Precipitation 24 hours prior	Precipitation during application	Precipitation 24 hours following
05/04/2023	Surface (irrigation)	No precipitation	No precipitation	No precipitation

Source description	Material type	N (lbs/acre)	P (lbs/acre)	K (lbs/acre)	Salt (lbs/acre)	Amount
MID Lateral 5	Surface water	0.00	0.00	0.00	34.23	1,884,750.00 *gal*
Application event totals		0.00	0.00	0.00	34.23	

05/18/2023	Banding	No precipitation	No precipitation	No precipitation

Source description	Material type	N (lbs/acre)	P (lbs/acre)	K (lbs/acre)	Salt (lbs/acre)	Amount
Ammonium Nitrate	Solid commercial fertilizer	34.00	0.00	0.00	0.00	
Application event totals		34.00	0.00	0.00	0.00	

05/19/2023	Surface (irrigation)	No precipitation	No precipitation	No precipitation

Source description	Material type	N (lbs/acre)	P (lbs/acre)	K (lbs/acre)	Salt (lbs/acre)	Amount
MID Lateral 5	Surface water	0.00	0.00	0.00	34.23	1,884,750.00 *gal*
Application event totals		0.00	0.00	0.00	34.23	

06/03/2023	Surface (irrigation)	No precipitation	No precipitation	No precipitation

Source description	Material type	N (lbs/acre)	P (lbs/acre)	K (lbs/acre)	Salt (lbs/acre)	Amount
MID Lateral 5	Surface water	0.00	0.00	0.00	36.68	2,019,375.00 *gal*
Application event totals		0.00	0.00	0.00	36.68	

06/18/2023	Surface (irrigation)	No precipitation	No precipitation	No precipitation

Source description	Material type	N (lbs/acre)	P (lbs/acre)	K (lbs/acre)	Salt (lbs/acre)	Amount
MID Lateral 5	Surface water	0.00	0.00	0.00	36.68	2,019,375.00 *gal*
Application event totals		0.00	0.00	0.00	36.68	

06/30/2023	Banding	No precipitation	No precipitation	No precipitation

Source description	Material type	N (lbs/acre)	P (lbs/acre)	K (lbs/acre)	Salt (lbs/acre)	Amount
Ammonium Nitrate	Solid commercial fertilizer	34.00	0.00	0.00	0.00	
Application event totals		34.00	0.00	0.00	0.00	

Field 10 - 02/12/2007: Peach

Application date	Application method	Precipitation 24 hours prior	Precipitation during application	Precipitation 24 hours following
07/01/2023	Surface (irrigation)	No precipitation	No precipitation	No precipitation

Source description	Material type	N (lbs/acre)	P (lbs/acre)	K (lbs/acre)	Salt (lbs/acre)	Amount
MID Lateral 5	Surface water	0.00	0.00	0.00	36.68	2,019,375.00 *gal*
Application event totals		0.00	0.00	0.00	36.68	

Application date	Application method	Precipitation 24 hours prior	Precipitation during application	Precipitation 24 hours following
07/14/2023	Surface (irrigation)	No precipitation	No precipitation	No precipitation

Source description	Material type	N (lbs/acre)	P (lbs/acre)	K (lbs/acre)	Salt (lbs/acre)	Amount
MID Lateral 5	Surface water	0.00	0.00	0.00	39.12	2,154,000.00 *gal*
Application event totals		0.00	0.00	0.00	39.12	

Application date	Application method	Precipitation 24 hours prior	Precipitation during application	Precipitation 24 hours following
07/28/2023	Surface (irrigation)	No precipitation	No precipitation	No precipitation

Source description	Material type	N (lbs/acre)	P (lbs/acre)	K (lbs/acre)	Salt (lbs/acre)	Amount
MID Lateral 5	Surface water	0.00	0.00	0.00	39.12	2,154,000.00 *gal*
Application event totals		0.00	0.00	0.00	39.12	

Application date	Application method	Precipitation 24 hours prior	Precipitation during application	Precipitation 24 hours following
08/09/2023	Pipeline	No precipitation	No precipitation	No precipitation

Source description	Material type	N (lbs/acre)	P (lbs/acre)	K (lbs/acre)	Salt (lbs/acre)	Amount
MID Lateral 5	Surface water	0.00	0.00	0.00	36.68	2,019,375.00 *gal*
Application event totals		0.00	0.00	0.00	36.68	

Field 2 - 02/10/2020: Almond, in shell

Field name: Field 2

Crop: Almond, in shell

Plant date: 02/10/2020

Application date	Application method	Precipitation 24 hours prior	Precipitation during application	Precipitation 24 hours following
10/24/2022	Broadcast/incorporate	No precipitation	No precipitation	No precipitation

Source description	Material type	N (lbs/acre)	P (lbs/acre)	K (lbs/acre)	Salt (lbs/acre)	Amount
Corral Manure	Corral solids	71.40	29.40	138.60	2,041.20	10.00 *ton*
Application event totals		71.40	29.40	138.60	2,041.20	

Field 2 - 02/10/2020: Almond, in shell

Application date	Application method	Precipitation 24 hours prior	Precipitation during application	Precipitation 24 hours following
03/02/2023	Banding	No precipitation	No precipitation	No precipitation

Source description	Material type	N (lbs/acre)	P (lbs/acre)	K (lbs/acre)	Salt (lbs/acre)	Amount
CAN17	Solid commercial fertilizer	23.80	0.00	0.00	0.00	
Application event totals		23.80	0.00	0.00	0.00	

04/14/2023	Fertigation	No precipitation	No precipitation	No precipitation

Source description	Material type	N (lbs/acre)	P (lbs/acre)	K (lbs/acre)	Salt (lbs/acre)	Amount
CAN17	Solid commercial fertilizer	17.00	0.00	0.00	0.00	
Application event totals		17.00	0.00	0.00	0.00	

04/14/2023	Surface (irrigation)	No precipitation	No precipitation	No precipitation

Source description	Material type	N (lbs/acre)	P (lbs/acre)	K (lbs/acre)	Salt (lbs/acre)	Amount
MID Lateral 5	Surface water	0.00	0.00	0.00	30.34	393,000.00 *gal*
Application event totals		0.00	0.00	0.00	30.34	

04/29/2023	Surface (irrigation)	No precipitation	No precipitation	No precipitation

Source description	Material type	N (lbs/acre)	P (lbs/acre)	K (lbs/acre)	Salt (lbs/acre)	Amount
MID Lateral 5	Surface water	0.00	0.00	0.00	30.34	393,000.00 *gal*
Application event totals		0.00	0.00	0.00	30.34	

05/14/2023	Fertigation	No precipitation	No precipitation	No precipitation

Source description	Material type	N (lbs/acre)	P (lbs/acre)	K (lbs/acre)	Salt (lbs/acre)	Amount
CAN17	Solid commercial fertilizer	17.00	0.00	0.00	0.00	
Application event totals		17.00	0.00	0.00	0.00	

05/14/2023	Surface (irrigation)	No precipitation	No precipitation	No precipitation

Source description	Material type	N (lbs/acre)	P (lbs/acre)	K (lbs/acre)	Salt (lbs/acre)	Amount
MID Lateral 5	Surface water	0.00	0.00	0.00	30.34	393,000.00 *gal*
Application event totals		0.00	0.00	0.00	30.34	

Field 2 - 02/10/2020: Almond, in shell

Application date	Application method	Precipitation 24 hours prior	Precipitation during application	Precipitation 24 hours following
05/29/2023	Surface (irrigation)	No precipitation	No precipitation	No precipitation

Source description	Material type	N (lbs/acre)	P (lbs/acre)	K (lbs/acre)	Salt (lbs/acre)	Amount
MID Lateral 5	Surface water	0.00	0.00	0.00	30.34	393,000.00 *gal*
Application event totals		0.00	0.00	0.00	30.34	

Application date	Application method	Precipitation 24 hours prior	Precipitation during application	Precipitation 24 hours following
06/13/2023	Surface (irrigation)	No precipitation	No precipitation	No precipitation

Source description	Material type	N (lbs/acre)	P (lbs/acre)	K (lbs/acre)	Salt (lbs/acre)	Amount
MID Lateral 5	Surface water	0.00	0.00	0.00	31.26	405,000.00 *gal*
Application event totals		0.00	0.00	0.00	31.26	

Application date	Application method	Precipitation 24 hours prior	Precipitation during application	Precipitation 24 hours following
06/28/2023	Surface (irrigation)	No precipitation	No precipitation	No precipitation

Source description	Material type	N (lbs/acre)	P (lbs/acre)	K (lbs/acre)	Salt (lbs/acre)	Amount
MID Lateral 5	Surface water	0.00	0.00	0.00	31.26	405,000.00 *gal*
Application event totals		0.00	0.00	0.00	31.26	

Application date	Application method	Precipitation 24 hours prior	Precipitation during application	Precipitation 24 hours following
07/13/2023	Surface (irrigation)	No precipitation	No precipitation	No precipitation

Source description	Material type	N (lbs/acre)	P (lbs/acre)	K (lbs/acre)	Salt (lbs/acre)	Amount
MID Lateral 5	Surface water	0.00	0.00	0.00	31.26	405,000.00 *gal*
Application event totals		0.00	0.00	0.00	31.26	

Application date	Application method	Precipitation 24 hours prior	Precipitation during application	Precipitation 24 hours following
07/28/2023	Surface (irrigation)	No precipitation	No precipitation	No precipitation

Source description	Material type	N (lbs/acre)	P (lbs/acre)	K (lbs/acre)	Salt (lbs/acre)	Amount
MID Lateral 5	Surface water	0.00	0.00	0.00	31.26	405,000.00 *gal*
Application event totals		0.00	0.00	0.00	31.26	

Application date	Application method	Precipitation 24 hours prior	Precipitation during application	Precipitation 24 hours following
08/12/2023	Surface (irrigation)	No precipitation	No precipitation	No precipitation

Source description	Material type	N (lbs/acre)	P (lbs/acre)	K (lbs/acre)	Salt (lbs/acre)	Amount
MID Lateral 5	Surface water	0.00	0.00	0.00	31.26	405,000.00 *gal*
Application event totals		0.00	0.00	0.00	31.26	

Field 2 - 02/10/2020: Almond, in shell

Application date	Application method	Precipitation 24 hours prior	Precipitation during application	Precipitation 24 hours following
08/27/2023	Surface (irrigation)	No precipitation	No precipitation	No precipitation

Source description	Material type	N (lbs/acre)	P (lbs/acre)	K (lbs/acre)	Salt (lbs/acre)	Amount
MID Lateral 5	Surface water	0.00	0.00	0.00	31.26	405,000.00 *gal*
Application event totals		0.00	0.00	0.00	31.26	

Application date	Application method	Precipitation 24 hours prior	Precipitation during application	Precipitation 24 hours following
09/11/2023	Surface (irrigation)	No precipitation	No precipitation	No precipitation

Source description	Material type	N (lbs/acre)	P (lbs/acre)	K (lbs/acre)	Salt (lbs/acre)	Amount
MID Lateral 5	Surface water	0.00	0.00	0.00	31.26	405,000.00 *gal*
Application event totals		0.00	0.00	0.00	31.26	

Field 3 - 02/10/2020: Walnuts

Field name: Field 3

Crop: Walnuts

Plant date: 02/10/2020

Application date	Application method	Precipitation 24 hours prior	Precipitation during application	Precipitation 24 hours following
04/15/2023	Surface (irrigation)	No precipitation	No precipitation	No precipitation

Source description	Material type	N (lbs/acre)	P (lbs/acre)	K (lbs/acre)	Salt (lbs/acre)	Amount
MID Lateral 5	Surface water	0.00	0.00	0.00	29.10	1,602,250.00 *gal*
Application event totals		0.00	0.00	0.00	29.10	

Application date	Application method	Precipitation 24 hours prior	Precipitation during application	Precipitation 24 hours following
04/30/2023	Surface (irrigation)	No precipitation	No precipitation	No precipitation

Source description	Material type	N (lbs/acre)	P (lbs/acre)	K (lbs/acre)	Salt (lbs/acre)	Amount
MID Lateral 5	Surface water	0.00	0.00	0.00	29.10	1,602,250.00 *gal*
Application event totals		0.00	0.00	0.00	29.10	

Application date	Application method	Precipitation 24 hours prior	Precipitation during application	Precipitation 24 hours following
05/15/2023	Surface (irrigation)	No precipitation	No precipitation	No precipitation

Source description	Material type	N (lbs/acre)	P (lbs/acre)	K (lbs/acre)	Salt (lbs/acre)	Amount
MID Lateral 5	Surface water	0.00	0.00	0.00	29.10	1,602,250.00 *gal*
Application event totals		0.00	0.00	0.00	29.10	

Field 3 - 02/10/2020: Walnuts

Application date	Application method	Precipitation 24 hours prior	Precipitation during application	Precipitation 24 hours following
05/30/2023	Surface (irrigation)	No precipitation	No precipitation	No precipitation

Source description	Material type	N (lbs/acre)	P (lbs/acre)	K (lbs/acre)	Salt (lbs/acre)	Amount
MID Lateral 5	Surface water	0.00	0.00	0.00	29.10	1,602,250.00 *gal*
Application event totals		0.00	0.00	0.00	29.10	

Application date	Application method	Precipitation 24 hours prior	Precipitation during application	Precipitation 24 hours following
06/10/2023	Broadcast/incorporate	No precipitation	No precipitation	No precipitation

Source description	Material type	N (lbs/acre)	P (lbs/acre)	K (lbs/acre)	Salt (lbs/acre)	Amount
Corral Manure	Corral solids	67.15	23.52	117.60	1,726.73	40.00 *ton*
Application event totals		67.15	23.52	117.60	1,726.73	

Application date	Application method	Precipitation 24 hours prior	Precipitation during application	Precipitation 24 hours following
06/14/2023	Surface (irrigation)	No precipitation	No precipitation	No precipitation

Source description	Material type	N (lbs/acre)	P (lbs/acre)	K (lbs/acre)	Salt (lbs/acre)	Amount
MID Lateral 5	Surface water	0.00	0.00	0.00	36.68	2,019,375.00 *gal*
Application event totals		0.00	0.00	0.00	36.68	

Application date	Application method	Precipitation 24 hours prior	Precipitation during application	Precipitation 24 hours following
06/29/2023	Surface (irrigation)	No precipitation	No precipitation	No precipitation

Source description	Material type	N (lbs/acre)	P (lbs/acre)	K (lbs/acre)	Salt (lbs/acre)	Amount
MID Lateral 5	Surface water	0.00	0.00	0.00	29.10	1,602,250.00 *gal*
Application event totals		0.00	0.00	0.00	29.10	

Application date	Application method	Precipitation 24 hours prior	Precipitation during application	Precipitation 24 hours following
07/14/2023	Surface (irrigation)	No precipitation	No precipitation	No precipitation

Source description	Material type	N (lbs/acre)	P (lbs/acre)	K (lbs/acre)	Salt (lbs/acre)	Amount
MID Lateral 5	Surface water	0.00	0.00	0.00	29.46	1,621,800.00 *gal*
Application event totals		0.00	0.00	0.00	29.46	

Application date	Application method	Precipitation 24 hours prior	Precipitation during application	Precipitation 24 hours following
07/29/2023	Surface (irrigation)	No precipitation	No precipitation	No precipitation

Source description	Material type	N (lbs/acre)	P (lbs/acre)	K (lbs/acre)	Salt (lbs/acre)	Amount
MID Lateral 5	Surface water	0.00	0.00	0.00	29.46	1,621,800.00 *gal*
Application event totals		0.00	0.00	0.00	29.46	

Field 3 - 02/10/2020: Walnuts

Application date	Application method	Precipitation 24 hours prior	Precipitation during application	Precipitation 24 hours following
08/13/2023	Surface (irrigation)	No precipitation	No precipitation	No precipitation

Source description	Material type	N (lbs/acre)	P (lbs/acre)	K (lbs/acre)	Salt (lbs/acre)	Amount
MID Lateral 5	Surface water	0.00	0.00	0.00	29.46	1,621,800.00 *gal*
Application event totals		0.00	0.00	0.00	29.46	

Application date	Application method	Precipitation 24 hours prior	Precipitation during application	Precipitation 24 hours following
08/28/2023	Surface (irrigation)	No precipitation	No precipitation	No precipitation

Source description	Material type	N (lbs/acre)	P (lbs/acre)	K (lbs/acre)	Salt (lbs/acre)	Amount
MID Lateral 5	Surface water	0.00	0.00	0.00	29.46	1,621,800.00 *gal*
Application event totals		0.00	0.00	0.00	29.46	

Application date	Application method	Precipitation 24 hours prior	Precipitation during application	Precipitation 24 hours following
09/12/2023	Surface (irrigation)	No precipitation	No precipitation	No precipitation

Source description	Material type	N (lbs/acre)	P (lbs/acre)	K (lbs/acre)	Salt (lbs/acre)	Amount
MID Lateral 5	Surface water	0.00	0.00	0.00	29.46	1,621,800.00 *gal*
Application event totals		0.00	0.00	0.00	29.46	

Application date	Application method	Precipitation 24 hours prior	Precipitation during application	Precipitation 24 hours following
09/27/2023	Surface (irrigation)	No precipitation	No precipitation	No precipitation

Source description	Material type	N (lbs/acre)	P (lbs/acre)	K (lbs/acre)	Salt (lbs/acre)	Amount
MID Lateral 5	Surface water	0.00	0.00	0.00	29.46	1,621,800.00 *gal*
Application event totals		0.00	0.00	0.00	29.46	

Application date	Application method	Precipitation 24 hours prior	Precipitation during application	Precipitation 24 hours following
10/12/2023	Surface (irrigation)	No precipitation	No precipitation	No precipitation

Source description	Material type	N (lbs/acre)	P (lbs/acre)	K (lbs/acre)	Salt (lbs/acre)	Amount
MID Lateral 5	Surface water	0.00	0.00	0.00	29.46	1,621,800.00 *gal*
Application event totals		0.00	0.00	0.00	29.46	

Field 5 - 02/10/2017: Peach

Field name: Field 5

Crop: Peach

Plant date: 02/10/2017

Application date	Application method	Precipitation 24 hours prior	Precipitation during application	Precipitation 24 hours following

Field 5 - 02/10/2017: Peach

Application date	Application method	Precipitation 24 hours prior	Precipitation during application	Precipitation 24 hours following
08/14/2022	Surface (irrigation)	No precipitation	No precipitation	No precipitation

Source description	Material type	N (lbs/acre)	P (lbs/acre)	K (lbs/acre)	Salt (lbs/acre)	Amount
MID Lateral 5	Surface water	0.00	0.00	0.00	69.43	4,264,000.00 *gal*
Application event totals		0.00	0.00	0.00	69.43	

Application date	Application method	Precipitation 24 hours prior	Precipitation during application	Precipitation 24 hours following
08/30/2022	Surface (irrigation)	No precipitation	No precipitation	No precipitation

Source description	Material type	N (lbs/acre)	P (lbs/acre)	K (lbs/acre)	Salt (lbs/acre)	Amount
MID Lateral 5	Surface water	0.00	0.00	0.00	69.43	4,264,000.00 *gal*
Application event totals		0.00	0.00	0.00	69.43	

Application date	Application method	Precipitation 24 hours prior	Precipitation during application	Precipitation 24 hours following
09/15/2022	Surface (irrigation)	No precipitation	No precipitation	No precipitation

Source description	Material type	N (lbs/acre)	P (lbs/acre)	K (lbs/acre)	Salt (lbs/acre)	Amount
MID Lateral 5	Surface water	0.00	0.00	0.00	69.43	4,264,000.00 *gal*
Application event totals		0.00	0.00	0.00	69.43	

Application date	Application method	Precipitation 24 hours prior	Precipitation during application	Precipitation 24 hours following
10/01/2022	Surface (irrigation)	No precipitation	No precipitation	No precipitation

Source description	Material type	N (lbs/acre)	P (lbs/acre)	K (lbs/acre)	Salt (lbs/acre)	Amount
MID Lateral 5	Surface water	0.00	0.00	0.00	69.43	4,264,000.00 *gal*
Application event totals		0.00	0.00	0.00	69.43	

Application date	Application method	Precipitation 24 hours prior	Precipitation during application	Precipitation 24 hours following
04/15/2023	Surface (irrigation)	No precipitation	No precipitation	No precipitation

Source description	Material type	N (lbs/acre)	P (lbs/acre)	K (lbs/acre)	Salt (lbs/acre)	Amount
WWS	Process wastewater	51.00	8.31	191.68	837.07	432,000.00 *gal*
MID Lateral 5	Surface water	0.00	0.00	0.00	32.44	4,308,000.00 *gal*
Application event totals		51.00	8.31	191.68	869.52	

Application date	Application method	Precipitation 24 hours prior	Precipitation during application	Precipitation 24 hours following
04/30/2023	Surface (irrigation)	No precipitation	No precipitation	No precipitation

Source description	Material type	N (lbs/acre)	P (lbs/acre)	K (lbs/acre)	Salt (lbs/acre)	Amount
MID Lateral 5	Surface water	0.00	0.00	0.00	31.68	4,206,600.00 *gal*
Application event totals		0.00	0.00	0.00	31.68	

Field 5 - 02/10/2017: Peach

Application date	Application method	Precipitation 24 hours prior	Precipitation during application	Precipitation 24 hours following
05/15/2023	Fertigation	No precipitation	No precipitation	No precipitation

Source description	Material type	N (lbs/acre)	P (lbs/acre)	K (lbs/acre)	Salt (lbs/acre)	Amount
Ammonium Nitrate	Solid commercial fertilizer	25.50	0.00	0.00	0.00	
Application event totals		25.50	0.00	0.00	0.00	

05/15/2023	Surface (irrigation)	No precipitation	No precipitation	No precipitation

Source description	Material type	N (lbs/acre)	P (lbs/acre)	K (lbs/acre)	Salt (lbs/acre)	Amount
MID Lateral 5	Surface water	0.00	0.00	0.00	31.68	4,206,600.00 *gal*
Application event totals		0.00	0.00	0.00	31.68	

05/30/2023	Surface (irrigation)	No precipitation	No precipitation	No precipitation

Source description	Material type	N (lbs/acre)	P (lbs/acre)	K (lbs/acre)	Salt (lbs/acre)	Amount
MID Lateral 5	Surface water	0.00	0.00	0.00	31.68	4,206,600.00 *gal*
Application event totals		0.00	0.00	0.00	31.68	

06/14/2023	Surface (irrigation)	No precipitation	No precipitation	No precipitation

Source description	Material type	N (lbs/acre)	P (lbs/acre)	K (lbs/acre)	Salt (lbs/acre)	Amount
MID Lateral 5	Surface water	0.00	0.00	0.00	32.42	4,305,000.00 *gal*
Application event totals		0.00	0.00	0.00	32.42	

06/29/2023	Fertigation	No precipitation	No precipitation	No precipitation

Source description	Material type	N (lbs/acre)	P (lbs/acre)	K (lbs/acre)	Salt (lbs/acre)	Amount
Ammonium Nitrate	Solid commercial fertilizer	25.50	0.00	0.00	0.00	
Application event totals		25.50	0.00	0.00	0.00	

06/29/2023	Surface (irrigation)	No precipitation	No precipitation	No precipitation

Source description	Material type	N (lbs/acre)	P (lbs/acre)	K (lbs/acre)	Salt (lbs/acre)	Amount
MID Lateral 5	Surface water	0.00	0.00	0.00	32.42	4,305,000.00 *gal*
Application event totals		0.00	0.00	0.00	32.42	

Field 5 - 02/10/2017: Peach

Application date	Application method	Precipitation 24 hours prior	Precipitation during application	Precipitation 24 hours following
07/14/2023	Surface (irrigation)	No precipitation	No precipitation	No precipitation

Source description	Material type	N (lbs/acre)	P (lbs/acre)	K (lbs/acre)	Salt (lbs/acre)	Amount
MID Lateral 5	Surface water	0.00	0.00	0.00	32.42	4,305,000.00 *gal*
Application event totals		0.00	0.00	0.00	32.42	

07/29/2023	Surface (irrigation)	No precipitation	No precipitation	No precipitation

Source description	Material type	N (lbs/acre)	P (lbs/acre)	K (lbs/acre)	Salt (lbs/acre)	Amount
MID Lateral 5	Surface water	0.00	0.00	0.00	34.47	4,577,250.00 *gal*
Application event totals		0.00	0.00	0.00	34.47	

Field 6 - 02/18/2023: Almond, in shell

Field name: Field 6

Crop: Almond, in shell

Plant date: 02/18/2023

Application date	Application method	Precipitation 24 hours prior	Precipitation during application	Precipitation 24 hours following
04/18/2023	Banding	No precipitation	No precipitation	No precipitation

Source description	Material type	N (lbs/acre)	P (lbs/acre)	K (lbs/acre)	Salt (lbs/acre)	Amount
Triple 15	Solid commercial fertilizer	8.25	8.25	8.25	0.00	
Application event totals		8.25	8.25	8.25	0.00	

04/20/2023	Surface (irrigation)	No precipitation	No precipitation	No precipitation

Source description	Material type	N (lbs/acre)	P (lbs/acre)	K (lbs/acre)	Salt (lbs/acre)	Amount
MID Lateral 5	Surface water	0.00	0.00	0.00	27.71	3,320,750.00 *gal*
Application event totals		0.00	0.00	0.00	27.71	

05/04/2023	Surface (irrigation)	No precipitation	No precipitation	No precipitation

Source description	Material type	N (lbs/acre)	P (lbs/acre)	K (lbs/acre)	Salt (lbs/acre)	Amount
MID Lateral 5	Surface water	0.00	0.00	0.00	27.71	3,320,750.00 *gal*
Application event totals		0.00	0.00	0.00	27.71	

Field 6 - 02/18/2023: Almond, in shell

Application date	Application method	Precipitation 24 hours prior	Precipitation during application	Precipitation 24 hours following
05/18/2023	Surface (irrigation)	No precipitation	No precipitation	No precipitation

Source description	Material type	N (lbs/acre)	P (lbs/acre)	K (lbs/acre)	Salt (lbs/acre)	Amount
MID Lateral 5	Surface water	0.00	0.00	0.00	27.71	3,320,750.00 *gal*
Application event totals		0.00	0.00	0.00	27.71	

Application date	Application method	Precipitation 24 hours prior	Precipitation during application	Precipitation 24 hours following
05/30/2023	Banding	No precipitation	No precipitation	No precipitation

Source description	Material type	N (lbs/acre)	P (lbs/acre)	K (lbs/acre)	Salt (lbs/acre)	Amount
Triple 15	Solid commercial fertilizer	8.25	8.25	8.25	0.00	
Application event totals		8.25	8.25	8.25	0.00	

Application date	Application method	Precipitation 24 hours prior	Precipitation during application	Precipitation 24 hours following
06/01/2023	Surface (irrigation)	No precipitation	No precipitation	No precipitation

Source description	Material type	N (lbs/acre)	P (lbs/acre)	K (lbs/acre)	Salt (lbs/acre)	Amount
MID Lateral 5	Surface water	0.00	0.00	0.00	27.71	3,320,750.00 *gal*
Application event totals		0.00	0.00	0.00	27.71	

Application date	Application method	Precipitation 24 hours prior	Precipitation during application	Precipitation 24 hours following
06/15/2023	Surface (irrigation)	No precipitation	No precipitation	No precipitation

Source description	Material type	N (lbs/acre)	P (lbs/acre)	K (lbs/acre)	Salt (lbs/acre)	Amount
MID Lateral 5	Surface water	0.00	0.00	0.00	28.10	3,367,000.00 *gal*
Application event totals		0.00	0.00	0.00	28.10	

Application date	Application method	Precipitation 24 hours prior	Precipitation during application	Precipitation 24 hours following
06/29/2023	Surface (irrigation)	No precipitation	No precipitation	No precipitation

Source description	Material type	N (lbs/acre)	P (lbs/acre)	K (lbs/acre)	Salt (lbs/acre)	Amount
MID Lateral 5	Surface water	0.00	0.00	0.00	28.10	3,367,000.00 *gal*
Application event totals		0.00	0.00	0.00	28.10	

Application date	Application method	Precipitation 24 hours prior	Precipitation during application	Precipitation 24 hours following
07/11/2023	Banding	No precipitation	No precipitation	No precipitation

Source description	Material type	N (lbs/acre)	P (lbs/acre)	K (lbs/acre)	Salt (lbs/acre)	Amount
Triple 15	Solid commercial fertilizer	8.25	8.25	8.25	0.00	
Application event totals		8.25	8.25	8.25	0.00	

Field 6 - 02/18/2023: Almond, in shell

Application date	Application method	Precipitation 24 hours prior	Precipitation during application	Precipitation 24 hours following
07/13/2023	Surface (irrigation)	No precipitation	No precipitation	No precipitation

Source description	Material type	N (lbs/acre)	P (lbs/acre)	K (lbs/acre)	Salt (lbs/acre)	Amount
MID Lateral 5	Surface water	0.00	0.00	0.00	28.10	3,367,000.00 *gal*
Application event totals		0.00	0.00	0.00	28.10	

Application date	Application method	Precipitation 24 hours prior	Precipitation during application	Precipitation 24 hours following
07/27/2023	Surface (irrigation)	No precipitation	No precipitation	No precipitation

Source description	Material type	N (lbs/acre)	P (lbs/acre)	K (lbs/acre)	Salt (lbs/acre)	Amount
MID Lateral 5	Surface water	0.00	0.00	0.00	28.10	3,367,000.00 *gal*
Application event totals		0.00	0.00	0.00	28.10	

Application date	Application method	Precipitation 24 hours prior	Precipitation during application	Precipitation 24 hours following
08/10/2023	Surface (irrigation)	No precipitation	No precipitation	No precipitation

Source description	Material type	N (lbs/acre)	P (lbs/acre)	K (lbs/acre)	Salt (lbs/acre)	Amount
MID Lateral 5	Surface water	0.00	0.00	0.00	28.10	3,367,000.00 *gal*
Application event totals		0.00	0.00	0.00	28.10	

Application date	Application method	Precipitation 24 hours prior	Precipitation during application	Precipitation 24 hours following
08/22/2023	Banding	No precipitation	No precipitation	No precipitation

Source description	Material type	N (lbs/acre)	P (lbs/acre)	K (lbs/acre)	Salt (lbs/acre)	Amount
Triple 15	Solid commercial fertilizer	8.25	8.25	8.25	0.00	
Application event totals		8.25	8.25	8.25	0.00	

Application date	Application method	Precipitation 24 hours prior	Precipitation during application	Precipitation 24 hours following
08/24/2023	Surface (irrigation)	No precipitation	No precipitation	No precipitation

Source description	Material type	N (lbs/acre)	P (lbs/acre)	K (lbs/acre)	Salt (lbs/acre)	Amount
MID Lateral 5	Surface water	0.00	0.00	0.00	28.10	3,367,000.00 *gal*
Application event totals		0.00	0.00	0.00	28.10	

Application date	Application method	Precipitation 24 hours prior	Precipitation during application	Precipitation 24 hours following
09/07/2023	Surface (irrigation)	No precipitation	No precipitation	No precipitation

Source description	Material type	N (lbs/acre)	P (lbs/acre)	K (lbs/acre)	Salt (lbs/acre)	Amount
MID Lateral 5	Surface water	0.00	0.00	0.00	28.10	3,367,000.00 *gal*
Application event totals		0.00	0.00	0.00	28.10	

Field 6 - 02/18/2023: Almond, in shell

Application date	Application method	Precipitation 24 hours prior	Precipitation during application	Precipitation 24 hours following
09/21/2023	Surface (irrigation)	No precipitation	No precipitation	No precipitation

Source description	Material type	N (lbs/acre)	P (lbs/acre)	K (lbs/acre)	Salt (lbs/acre)	Amount
MID Lateral 5	Surface water	0.00	0.00	0.00	28.10	3,367,000.00 *gal*
Application event totals		0.00	0.00	0.00	28.10	

Application date	Application method	Precipitation 24 hours prior	Precipitation during application	Precipitation 24 hours following
10/05/2023	Surface (irrigation)	No precipitation	No precipitation	No precipitation

Source description	Material type	N (lbs/acre)	P (lbs/acre)	K (lbs/acre)	Salt (lbs/acre)	Amount
MID Lateral 5	Surface water	0.00	0.00	0.00	28.10	3,367,000.00 *gal*
Application event totals		0.00	0.00	0.00	28.10	

Field 7 - 02/01/2013: Walnuts

Field name: Field 7

Crop: Walnuts

Plant date: 02/01/2013

Application date	Application method	Precipitation 24 hours prior	Precipitation during application	Precipitation 24 hours following
10/24/2022	Broadcast/incorporate	No precipitation	No precipitation	No precipitation

Source description	Material type	N (lbs/acre)	P (lbs/acre)	K (lbs/acre)	Salt (lbs/acre)	Amount
Corral Manure	Corral solids	69.81	28.75	135.52	1,995.84	44.00 *ton*
Application event totals		69.81	28.75	135.52	1,995.84	

Application date	Application method	Precipitation 24 hours prior	Precipitation during application	Precipitation 24 hours following
04/15/2023	Fertigation	No precipitation	No precipitation	No precipitation

Source description	Material type	N (lbs/acre)	P (lbs/acre)	K (lbs/acre)	Salt (lbs/acre)	Amount
UN32	Solid commercial fertilizer	25.60	0.00	0.00	0.00	
Application event totals		25.60	0.00	0.00	0.00	

Application date	Application method	Precipitation 24 hours prior	Precipitation during application	Precipitation 24 hours following
04/15/2023	Surface (irrigation)	No precipitation	No precipitation	No precipitation

Source description	Material type	N (lbs/acre)	P (lbs/acre)	K (lbs/acre)	Salt (lbs/acre)	Amount
MID Lateral 5	Surface water	0.00	0.00	0.00	36.95	2,154,000.00 *gal*
Application event totals		0.00	0.00	0.00	36.95	

Field 7 - 02/01/2013: Walnuts

Application date	Application method	Precipitation 24 hours prior	Precipitation during application	Precipitation 24 hours following
05/04/2023	Surface (irrigation)	No precipitation	No precipitation	No precipitation

Source description	Material type	N (lbs/acre)	P (lbs/acre)	K (lbs/acre)	Salt (lbs/acre)	Amount
MID Lateral 5	Surface water	0.00	0.00	0.00	36.95	2,154,000.00 *gal*
Application event totals		0.00	0.00	0.00	36.95	

05/25/2023	Surface (irrigation)	No precipitation	No precipitation	No precipitation

Source description	Material type	N (lbs/acre)	P (lbs/acre)	K (lbs/acre)	Salt (lbs/acre)	Amount
MID Lateral 5	Surface water	0.00	0.00	0.00	36.95	2,154,000.00 *gal*
Application event totals		0.00	0.00	0.00	36.95	

06/11/2023	Fertigation	No precipitation	No precipitation	No precipitation

Source description	Material type	N (lbs/acre)	P (lbs/acre)	K (lbs/acre)	Salt (lbs/acre)	Amount
UN32	Solid commercial fertilizer	25.60	0.00	0.00	0.00	
Application event totals		25.60	0.00	0.00	0.00	

06/11/2023	Surface (irrigation)	No precipitation	No precipitation	No precipitation

Source description	Material type	N (lbs/acre)	P (lbs/acre)	K (lbs/acre)	Salt (lbs/acre)	Amount
MID Lateral 5	Surface water	0.00	0.00	0.00	39.26	2,288,625.00 *gal*
Application event totals		0.00	0.00	0.00	39.26	

06/28/2023	Surface (irrigation)	No precipitation	No precipitation	No precipitation

Source description	Material type	N (lbs/acre)	P (lbs/acre)	K (lbs/acre)	Salt (lbs/acre)	Amount
MID Lateral 5	Surface water	0.00	0.00	0.00	39.26	2,288,625.00 *gal*
Application event totals		0.00	0.00	0.00	39.26	

07/15/2023	Surface (irrigation)	No precipitation	No precipitation	No precipitation

Source description	Material type	N (lbs/acre)	P (lbs/acre)	K (lbs/acre)	Salt (lbs/acre)	Amount
MID Lateral 5	Surface water	0.00	0.00	0.00	39.26	2,288,625.00 *gal*
Application event totals		0.00	0.00	0.00	39.26	

Field 7 - 02/01/2013: Walnuts

Application date	Application method	Precipitation 24 hours prior	Precipitation during application	Precipitation 24 hours following
08/02/2023	Fertigation	No precipitation	No precipitation	No precipitation

Source description	Material type	N (lbs/acre)	P (lbs/acre)	K (lbs/acre)	Salt (lbs/acre)	Amount
UN32	Solid commercial fertilizer	25.60	0.00	0.00	0.00	
Application event totals		25.60	0.00	0.00	0.00	

Application date	Application method	Precipitation 24 hours prior	Precipitation during application	Precipitation 24 hours following
08/02/2023	Surface (irrigation)	No precipitation	No precipitation	No precipitation

Source description	Material type	N (lbs/acre)	P (lbs/acre)	K (lbs/acre)	Salt (lbs/acre)	Amount
MID Lateral 5	Surface water	0.00	0.00	0.00	36.95	2,154,000.00 *gal*
Application event totals		0.00	0.00	0.00	36.95	

Application date	Application method	Precipitation 24 hours prior	Precipitation during application	Precipitation 24 hours following
08/20/2023	Surface (irrigation)	No precipitation	No precipitation	No precipitation

Source description	Material type	N (lbs/acre)	P (lbs/acre)	K (lbs/acre)	Salt (lbs/acre)	Amount
MID Lateral 5	Surface water	0.00	0.00	0.00	36.95	2,154,000.00 *gal*
Application event totals		0.00	0.00	0.00	36.95	

Application date	Application method	Precipitation 24 hours prior	Precipitation during application	Precipitation 24 hours following
09/09/2023	Surface (irrigation)	No precipitation	No precipitation	No precipitation

Source description	Material type	N (lbs/acre)	P (lbs/acre)	K (lbs/acre)	Salt (lbs/acre)	Amount
MID Lateral 5	Surface water	0.00	0.00	0.00	34.64	2,019,375.00 *gal*
Application event totals		0.00	0.00	0.00	34.64	

Application date	Application method	Precipitation 24 hours prior	Precipitation during application	Precipitation 24 hours following
10/01/2023	Surface (irrigation)	No precipitation	No precipitation	No precipitation

Source description	Material type	N (lbs/acre)	P (lbs/acre)	K (lbs/acre)	Salt (lbs/acre)	Amount
MID Lateral 5	Surface water	0.00	0.00	0.00	32.33	1,884,750.00 *gal*
Application event totals		0.00	0.00	0.00	32.33	

Field 9 - 02/17/2008: Walnuts

Field name: Field 9

Crop: Walnuts

Plant date: 02/17/2008

Application date	Application method	Precipitation 24 hours prior	Precipitation during application	Precipitation 24 hours following

Field 9 - 02/17/2008: Walnuts

Application date	Application method	Precipitation 24 hours prior	Precipitation during application	Precipitation 24 hours following
10/24/2022	Broadcast/incorporate	No precipitation	No precipitation	No precipitation

Source description	Material type	N (lbs/acre)	P (lbs/acre)	K (lbs/acre)	Salt (lbs/acre)	Amount
Corral Manure	Corral solids	72.15	29.71	140.06	2,062.69	48.00 *ton*
Application event totals		72.15	29.71	140.06	2,062.69	

Application date	Application method	Precipitation 24 hours prior	Precipitation during application	Precipitation 24 hours following
04/15/2023	Fertigation	No precipitation	No precipitation	No precipitation

Source description	Material type	N (lbs/acre)	P (lbs/acre)	K (lbs/acre)	Salt (lbs/acre)	Amount
UN32	Solid commercial fertilizer	25.60	0.00	0.00	0.00	
Application event totals		25.60	0.00	0.00	0.00	

Application date	Application method	Precipitation 24 hours prior	Precipitation during application	Precipitation 24 hours following
04/15/2023	Surface (irrigation)	No precipitation	No precipitation	No precipitation

Source description	Material type	N (lbs/acre)	P (lbs/acre)	K (lbs/acre)	Salt (lbs/acre)	Amount
MID Lateral 5	Surface water	0.00	0.00	0.00	35.00	2,154,000.00 *gal*
Application event totals		0.00	0.00	0.00	35.00	

Application date	Application method	Precipitation 24 hours prior	Precipitation during application	Precipitation 24 hours following
05/04/2023	Surface (irrigation)	No precipitation	No precipitation	No precipitation

Source description	Material type	N (lbs/acre)	P (lbs/acre)	K (lbs/acre)	Salt (lbs/acre)	Amount
MID Lateral 5	Surface water	0.00	0.00	0.00	35.00	2,154,000.00 *gal*
Application event totals		0.00	0.00	0.00	35.00	

Application date	Application method	Precipitation 24 hours prior	Precipitation during application	Precipitation 24 hours following
05/25/2023	Surface (irrigation)	No precipitation	No precipitation	No precipitation

Source description	Material type	N (lbs/acre)	P (lbs/acre)	K (lbs/acre)	Salt (lbs/acre)	Amount
MID Lateral 5	Surface water	0.00	0.00	0.00	35.00	2,154,000.00 *gal*
Application event totals		0.00	0.00	0.00	35.00	

Application date	Application method	Precipitation 24 hours prior	Precipitation during application	Precipitation 24 hours following
06/11/2023	Fertigation	No precipitation	No precipitation	No precipitation

Source description	Material type	N (lbs/acre)	P (lbs/acre)	K (lbs/acre)	Salt (lbs/acre)	Amount
UN32	Solid commercial fertilizer	25.60	0.00	0.00	0.00	
Application event totals		25.60	0.00	0.00	0.00	

Field 9 - 02/17/2008: Walnuts

Application date	Application method	Precipitation 24 hours prior	Precipitation during application	Precipitation 24 hours following
06/11/2023	Surface (irrigation)	No precipitation	No precipitation	No precipitation

Source description	Material type	N (lbs/acre)	P (lbs/acre)	K (lbs/acre)	Salt (lbs/acre)	Amount
MID Lateral 5	Surface water	0.00	0.00	0.00	39.38	2,423,250.00 *gal*
Application event totals		0.00	0.00	0.00	39.38	

Application date	Application method	Precipitation 24 hours prior	Precipitation during application	Precipitation 24 hours following
06/28/2023	Surface (irrigation)	No precipitation	No precipitation	No precipitation

Source description	Material type	N (lbs/acre)	P (lbs/acre)	K (lbs/acre)	Salt (lbs/acre)	Amount
MID Lateral 5	Surface water	0.00	0.00	0.00	39.38	2,423,250.00 *gal*
Application event totals		0.00	0.00	0.00	39.38	

Application date	Application method	Precipitation 24 hours prior	Precipitation during application	Precipitation 24 hours following
07/15/2023	Surface (irrigation)	No precipitation	No precipitation	No precipitation

Source description	Material type	N (lbs/acre)	P (lbs/acre)	K (lbs/acre)	Salt (lbs/acre)	Amount
MID Lateral 5	Surface water	0.00	0.00	0.00	39.38	2,423,250.00 *gal*
Application event totals		0.00	0.00	0.00	39.38	

Application date	Application method	Precipitation 24 hours prior	Precipitation during application	Precipitation 24 hours following
08/02/2023	Fertigation	No precipitation	No precipitation	No precipitation

Source description	Material type	N (lbs/acre)	P (lbs/acre)	K (lbs/acre)	Salt (lbs/acre)	Amount
UN32	Solid commercial fertilizer	25.60	0.00	0.00	0.00	
Application event totals		25.60	0.00	0.00	0.00	

Application date	Application method	Precipitation 24 hours prior	Precipitation during application	Precipitation 24 hours following
08/02/2023	Surface (irrigation)	No precipitation	No precipitation	No precipitation

Source description	Material type	N (lbs/acre)	P (lbs/acre)	K (lbs/acre)	Salt (lbs/acre)	Amount
MID Lateral 5	Surface water	0.00	0.00	0.00	39.38	2,423,250.00 *gal*
Application event totals		0.00	0.00	0.00	39.38	

Application date	Application method	Precipitation 24 hours prior	Precipitation during application	Precipitation 24 hours following
08/20/2023	Surface (irrigation)	No precipitation	No precipitation	No precipitation

Source description	Material type	N (lbs/acre)	P (lbs/acre)	K (lbs/acre)	Salt (lbs/acre)	Amount
MID Lateral 5	Surface water	0.00	0.00	0.00	37.19	2,288,625.00 *gal*
Application event totals		0.00	0.00	0.00	37.19	

Field 9 - 02/17/2008: Walnuts

Application date	Application method	Precipitation 24 hours prior	Precipitation during application	Precipitation 24 hours following
09/09/2023	Surface (irrigation)	No precipitation	No precipitation	No precipitation

Source description	Material type	N (lbs/acre)	P (lbs/acre)	K (lbs/acre)	Salt (lbs/acre)	Amount
MID Lateral 5	Surface water	0.00	0.00	0.00	35.00	2,154,000.00 *gal*
Application event totals		0.00	0.00	0.00	35.00	

Application date	Application method	Precipitation 24 hours prior	Precipitation during application	Precipitation 24 hours following
10/01/2023	Surface (irrigation)	No precipitation	No precipitation	No precipitation

Source description	Material type	N (lbs/acre)	P (lbs/acre)	K (lbs/acre)	Salt (lbs/acre)	Amount
MID Lateral 5	Surface water	0.00	0.00	0.00	32.82	2,019,375.00 *gal*
Application event totals		0.00	0.00	0.00	32.82	

B. NUTRIENT BUDGET

Field 1 - 02/02/2015: Peach

Field name: Field 1 Crop: Peach Plant date: 02/02/2015

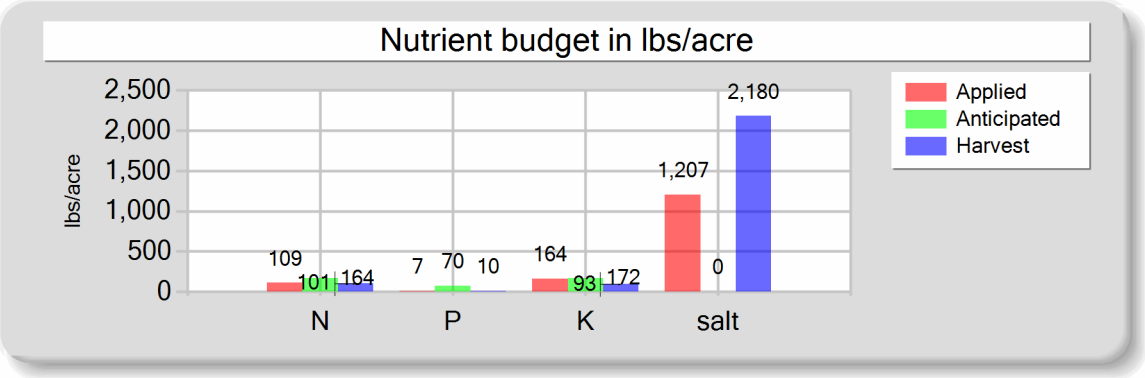

	Total N (lbs/acre)	Total P (lbs/acre)	Total K (lbs/acre)	Total salt (lbs/acre)
Existing soil nutrient content	0.00	0.00	0.00	0.00
Plowdown credit	0.00	0.00	0.00	0.00
Commercial fertilizer / Other	51.00	0.00	0.00	0.00
Dry manure	0.00	0.00	0.00	0.00
Process wastewater	43.56	7.10	163.73	715.00
Fresh water	0.00	0.00	0.00	491.87
Atmospheric deposition	14.00	0.00	0.00	0.00
Total nutrients applied	108.56	7.10	163.73	1,206.87
Anticipated crop nutrient removal	163.80	70.20	171.60	0.00
Actual crop nutrient removal	101.28	9.77	92.54	2,179.93
Nutrient balance	7.28	-2.67	71.18	-973.05
Applied to removed ratio	1.07	0.73	1.77	0.55

Fresh water applied	
17,898,750.00	*gallons*
659.15	*acre-inches*
43.94	*inches/acre*

Process wastewater applied	
135,000.00	*gallons*
4.97	*acre-inches*
0.33	*inches/acre*

Total harvests for the crop	
1	*harvests*

Field 10 - 02/12/2007: Peach

Field name: Field 10 Crop: Peach Plant date: 02/12/2007

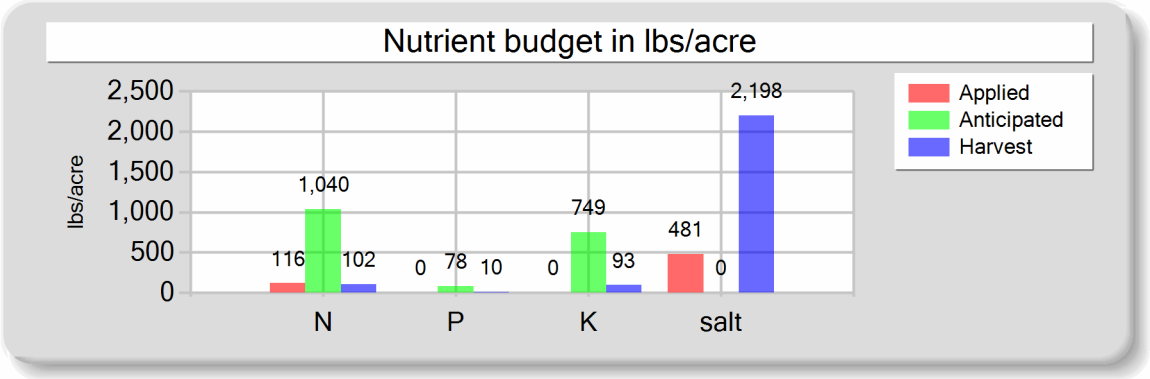

	Total N (lbs/acre)	Total P (lbs/acre)	Total K (lbs/acre)	Total salt (lbs/acre)
Existing soil nutrient content	0.00	0.00	0.00	0.00
Plowdown credit	0.00	0.00	0.00	0.00
Commercial fertilizer / Other	102.00	0.00	0.00	0.00
Dry manure	0.00	0.00	0.00	0.00
Process wastewater	0.00	0.00	0.00	0.00
Fresh water	0.00	0.00	0.00	480.97
Atmospheric deposition	14.00	0.00	0.00	0.00
Total nutrients applied	116.00	0.00	0.00	480.97
Anticipated crop nutrient removal	1,040.00	78.00	748.80	0.00
Actual crop nutrient removal	102.14	9.85	93.32	2,198.32
Nutrient balance	13.86	-9.85	-93.32	-1,717.35
Applied to removed ratio	1.14	0.00	0.00	0.22

Fresh water applied	
21,943,875.00	*gallons*
808.12	*acre-inches*
47.54	*inches/acre*

Process wastewater applied	
0.00	*gallons*
0.00	*acre-inches*
0.00	*inches/acre*

Total harvests for the crop	
1	*harvests*

Field 2 - 02/10/2020: Almond, in shell

Field name: Field 2 Crop: Almond, in shell Plant date: 02/10/2020

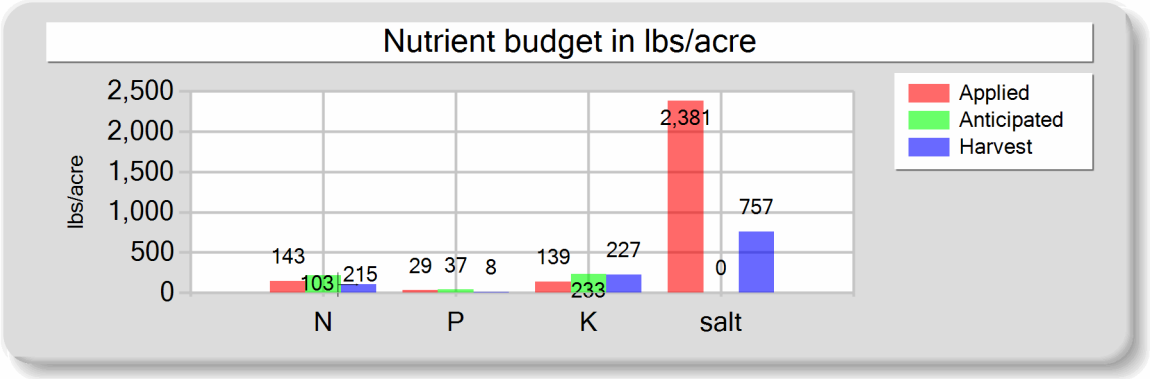

	Total N (lbs/acre)	Total P (lbs/acre)	Total K (lbs/acre)	Total salt (lbs/acre)
Existing soil nutrient content	0.00	0.00	0.00	0.00
Plowdown credit	0.00	0.00	0.00	0.00
Commercial fertilizer / Other	57.80	0.00	0.00	0.00
Dry manure	71.40	29.40	138.60	2,041.20
Process wastewater	0.00	0.00	0.00	0.00
Fresh water	0.00	0.00	0.00	340.18
Atmospheric deposition	14.00	0.00	0.00	0.00
Total nutrients applied	143.20	29.40	138.60	2,381.38
Anticipated crop nutrient removal	215.00	36.50	232.50	0.00
Actual crop nutrient removal	102.72	8.45	226.56	757.41
Nutrient balance	40.48	20.95	-87.96	1,623.97
Applied to removed ratio	1.39	3.48	0.61	3.14

Fresh water applied	
4,407,000.00	*gallons*
162.29	*acre-inches*
40.57	*inches/acre*

Process wastewater applied	
0.00	*gallons*
0.00	*acre-inches*
0.00	*inches/acre*

Total harvests for the crop	
1	*harvests*

Field 3 - 02/10/2020: Walnuts

Field name: Field 3 Crop: Walnuts Plant date: 02/10/2020

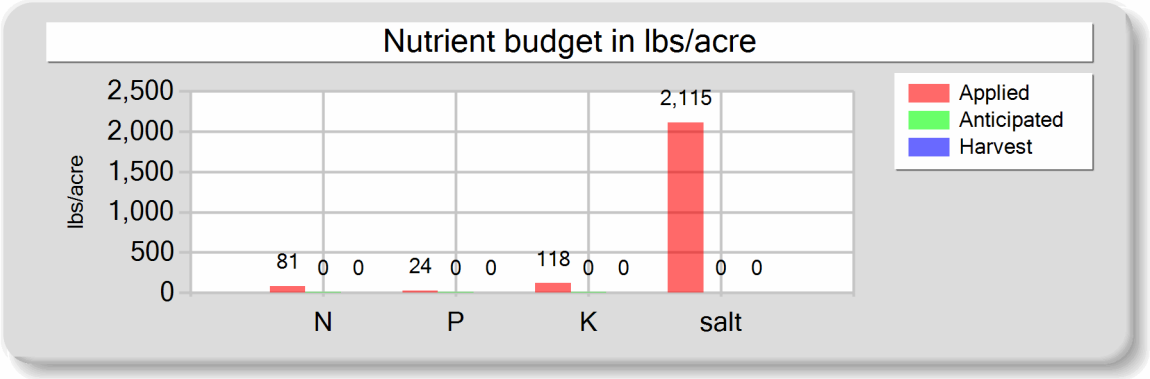

	Total N (lbs/acre)	Total P (lbs/acre)	Total K (lbs/acre)	Total salt (lbs/acre)
Existing soil nutrient content	0.00	0.00	0.00	0.00
Plowdown credit	0.00	0.00	0.00	0.00
Commercial fertilizer / Other	0.00	0.00	0.00	0.00
Dry manure	67.15	23.52	117.60	1,726.73
Process wastewater	0.00	0.00	0.00	0.00
Fresh water	0.00	0.00	0.00	388.38
Atmospheric deposition	14.00	0.00	0.00	0.00
Total nutrients applied	81.15	23.52	117.60	2,115.11
Anticipated crop nutrient removal	0.10	0.01	0.01	0.00
Actual crop nutrient removal	0.00	0.00	0.00	0.00
Nutrient balance	81.15	23.52	117.60	2,115.11
Applied to removed ratio	0.00	0.00	0.00	0.00

Fresh water applied	
21,383,225.00	*gallons*
787.47	*acre-inches*
46.32	*inches/acre*

Process wastewater applied	
0.00	*gallons*
0.00	*acre-inches*
0.00	*inches/acre*

Total harvests for the crop	
1	*harvests*

Field 5 - 02/10/2017: Peach

Field name: Field 5 Crop: Peach Plant date: 02/10/2017

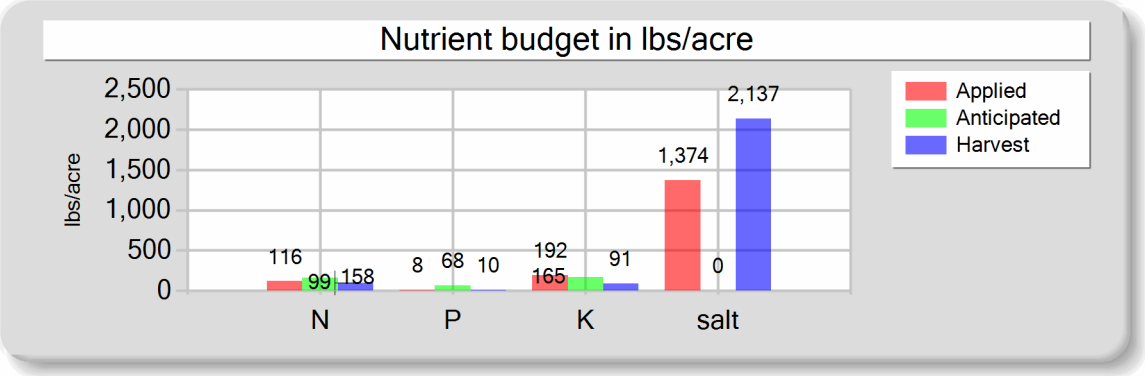

	Total N (lbs/acre)	Total P (lbs/acre)	Total K (lbs/acre)	Total salt (lbs/acre)
Existing soil nutrient content	0.00	0.00	0.00	0.00
Plowdown credit	0.00	0.00	0.00	0.00
Commercial fertilizer / Other	51.00	0.00	0.00	0.00
Dry manure	0.00	0.00	0.00	0.00
Process wastewater	51.00	8.31	191.68	837.07
Fresh water	0.00	0.00	0.00	536.93
Atmospheric deposition	14.00	0.00	0.00	0.00
Total nutrients applied	116.00	8.31	191.68	1,374.01
Anticipated crop nutrient removal	157.50	67.50	165.00	0.00
Actual crop nutrient removal	99.29	9.58	90.72	2,136.96
Nutrient balance	16.71	-1.27	100.96	-762.95
Applied to removed ratio	1.17	0.87	2.11	0.64

Fresh water applied	
51,476,050.00	*gallons*
1,895.69	*acre-inches*
46.24	*inches/acre*

Process wastewater applied	
432,000.00	*gallons*
15.91	*acre-inches*
0.39	*inches/acre*

Total harvests for the crop	
1	*harvests*

Field 6 - 02/18/2023: Almond, in shell

Field name: Field 6 Crop: Almond, in shell Plant date: 02/18/2023

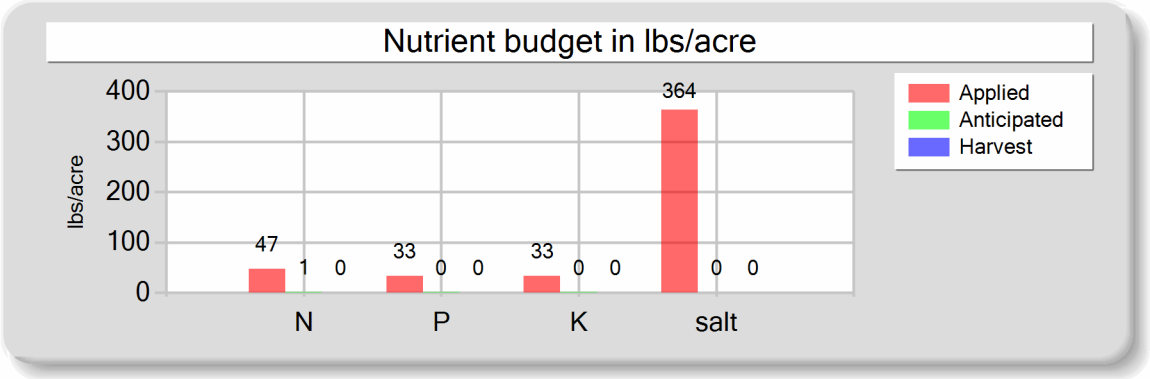

	Total N (lbs/acre)	Total P (lbs/acre)	Total K (lbs/acre)	Total salt (lbs/acre)
Existing soil nutrient content	0.00	0.00	0.00	0.00
Plowdown credit	0.00	0.00	0.00	0.00
Commercial fertilizer / Other	33.00	33.00	33.00	0.00
Dry manure	0.00	0.00	0.00	0.00
Process wastewater	0.00	0.00	0.00	0.00
Fresh water	0.00	0.00	0.00	363.73
Atmospheric deposition	14.00	0.00	0.00	0.00
Total nutrients applied	47.00	33.00	33.00	363.73
Anticipated crop nutrient removal	1.00	0.10	0.10	0.00
Actual crop nutrient removal	0.00	0.00	0.00	0.00
Nutrient balance	47.00	33.00	33.00	363.73
Applied to removed ratio	0.00	0.00	0.00	0.00

Fresh water applied	
43,586,000.00	*gallons*
1,605.12	*acre-inches*
43.38	*inches/acre*

Process wastewater applied	
0.00	*gallons*
0.00	*acre-inches*
0.00	*inches/acre*

Total harvests for the crop	
1	*harvests*

Field 7 - 02/01/2013: Walnuts

Field name: Field 7 Crop: Walnuts Plant date: 02/01/2013

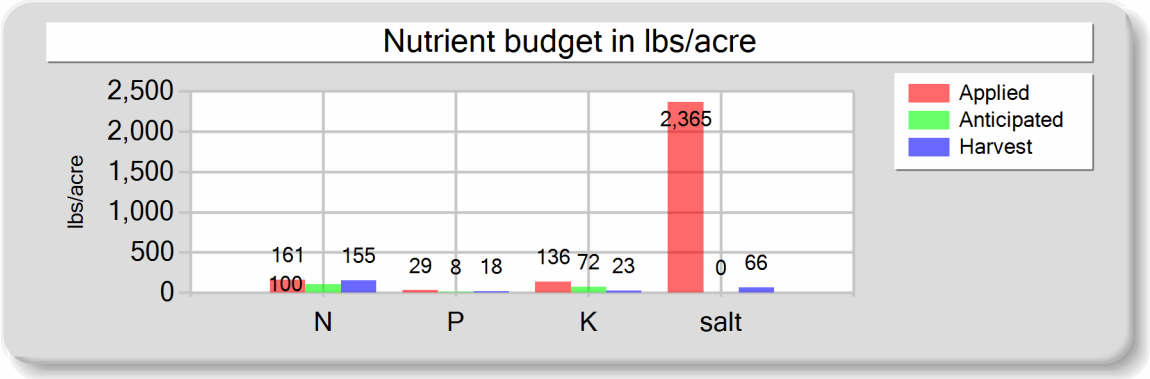

	Total N (lbs/acre)	Total P (lbs/acre)	Total K (lbs/acre)	Total salt (lbs/acre)
Existing soil nutrient content	0.00	0.00	0.00	0.00
Plowdown credit	0.00	0.00	0.00	0.00
Commercial fertilizer / Other	76.80	0.00	0.00	0.00
Dry manure	69.81	28.75	135.52	1,995.84
Process wastewater	0.00	0.00	0.00	0.00
Fresh water	0.00	0.00	0.00	369.49
Atmospheric deposition	14.00	0.00	0.00	0.00
Total nutrients applied	160.61	28.75	135.52	2,365.33
Anticipated crop nutrient removal	100.00	7.50	72.00	0.00
Actual crop nutrient removal	154.83	17.73	23.18	66.40
Nutrient balance	5.78	11.02	112.34	2,298.93
Applied to removed ratio	1.04	1.62	5.85	35.62

Fresh water applied	
21,540,000.00	*gallons*
793.24	*acre-inches*
44.07	*inches/acre*

Process wastewater applied	
0.00	*gallons*
0.00	*acre-inches*
0.00	*inches/acre*

Total harvests for the crop	
1	*harvests*

Field 9 - 02/17/2008: Walnuts

Field name: Field 9 Crop: Walnuts Plant date: 02/17/2008

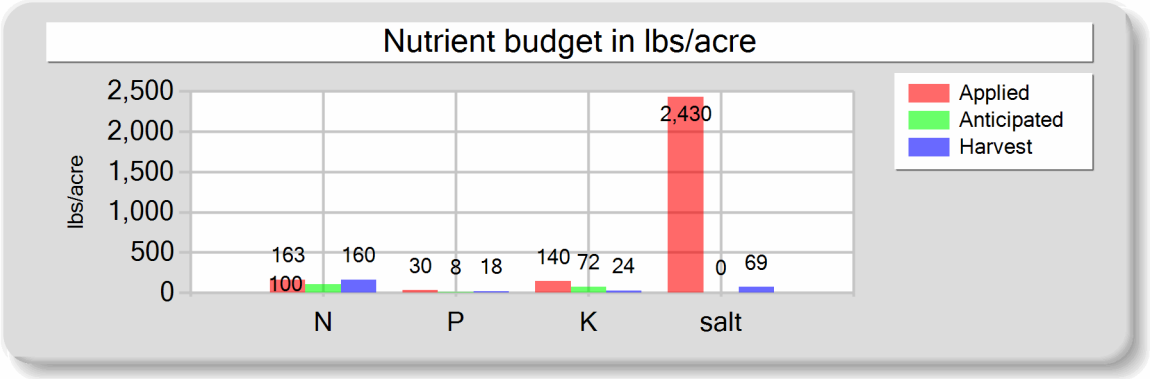

	Total N (lbs/acre)	Total P (lbs/acre)	Total K (lbs/acre)	Total salt (lbs/acre)
Existing soil nutrient content	0.00	0.00	0.00	0.00
Plowdown credit	0.00	0.00	0.00	0.00
Commercial fertilizer / Other	76.80	0.00	0.00	0.00
Dry manure	72.15	29.71	140.06	2,062.69
Process wastewater	0.00	0.00	0.00	0.00
Fresh water	0.00	0.00	0.00	367.54
Atmospheric deposition	14.00	0.00	0.00	0.00
Total nutrients applied	162.95	29.71	140.06	2,430.23
Anticipated crop nutrient removal	100.00	7.50	72.00	0.00
Actual crop nutrient removal	160.49	18.38	24.03	68.83
Nutrient balance	2.46	11.33	116.03	2,361.40
Applied to removed ratio	1.02	1.62	5.83	35.31

Fresh water applied	
22,617,000.00	*gallons*
832.91	*acre-inches*
43.84	*inches/acre*

Process wastewater applied	
0.00	*gallons*
0.00	*acre-inches*
0.00	*inches/acre*

Total harvests for the crop	
1	*harvests*

NUTRIENT ANALYSES

A. MANURE ANALYSES

Corral Manure

Sample and source description: Corral Manure

Sample date: 06/09/2023 Material type: Corral solids Source of analysis: Lab analysis Method of reporting: Dry-weight

Moisture: 24.5 %

	Total N (mg/kg)	Total P (mg/kg)	Total K (mg/kg)	Calcium (mg/kg)	Magnesium (mg/kg)	Sodium (mg/kg)	Sulfur (mg/kg)	Chloride (mg/kg)	Total salt (mg/kg)	TFS (%)
Value	18,900.00	6,620.00	33,100.00							48.60
DL	100.00	100.00	100.00							0.01

B. PROCESS WASTEWATER ANALYSES

WWQ1

Sample and source description: WWQ1

Sample date: 03/15/2023 Material type: Process wastewater Source of analysis: Lab analysis pH: 0.00

	Kjeldahl-N (mg/L)	NH4-N (mg/L)	NH3-N (mg/L)	Nitrate-N (mg/L)	Total P (mg/L)	Total K (mg/L)	Calcium (mg/L)	Magnes. (mg/L)	Sodium (mg/L)	Bicarb. (mg/L)	Carb. (mg/L)	Sulfate (mg/L)	Chloride (mg/L)	EC (µmhos/cm)	TDS (mg/L)
Value	512.00	216.00	0.00	0.00	96.60	732.00								8,380.00	7,300
DL	0.50	0.50	0.50	0.50	0.50	0.50								1.00	10

WWQ2

Sample and source description: WWQ2

Sample date: 06/09/2023 Material type: Process wastewater Source of analysis: Lab analysis pH: 0.00

	Kjeldahl-N (mg/L)	NH4-N (mg/L)	NH3-N (mg/L)	Nitrate-N (mg/L)	Total P (mg/L)	Total K (mg/L)	Calcium (mg/L)	Magnes. (mg/L)	Sodium (mg/L)	Bicarb. (mg/L)	Carb. (mg/L)	Sulfate (mg/L)	Chloride (mg/L)	EC (µmhos/cm)	TDS (mg/L)
Value	580.00	389.00	0.00	0.00	94.50	2,180.00								11,300.00	9,520
DL	0.50	0.50	0.50	0.50	0.50	0.50								1.00	10

WWQ3

Sample and source description: WWQ3

Sample date: 09/12/2023 Material type: Process wastewater Source of analysis: Lab analysis pH: 0.00

	Kjeldahl-N (mg/L)	NH4-N (mg/L)	NH3-N (mg/L)	Nitrate-N (mg/L)	Total P (mg/L)	Total K (mg/L)	Calcium (mg/L)	Magnes. (mg/L)	Sodium (mg/L)	Bicarb. (mg/L)	Carb. (mg/L)	Sulfate (mg/L)	Chloride (mg/L)	EC (µmhos/cm)	TDS (mg/L)
Value	658.00	221.00	0.00	0.00	147.00	2,710.00	245.00	137.00	528.00	2,900.00	0.00	0.00	0.00	0.00	10,800
DL	0.50	0.50	0.50	0.50	0.50	0.50	0.50	0.50	0.50	0.50	2.00	1.00	0.10	1.00	10

WWQ4

Sample and source description: WWQ4

Sample date: 12/01/2023 Material type: Process wastewater Source of analysis: Lab analysis pH: 0.00

	Kjeldahl-N (mg/L)	NH4-N (mg/L)	NH3-N (mg/L)	Nitrate-N (mg/L)	Total P (mg/L)	Total K (mg/L)	Calcium (mg/L)	Magnes. (mg/L)	Sodium (mg/L)	Bicarb. (mg/L)	Carb. (mg/L)	Sulfate (mg/L)	Chloride (mg/L)	EC (µmhos/cm)	TDS (mg/L)
Value	658.00	336.00	0.00	0.00	120.00	3,110.00								14,900.00	13,300
DL	0.50	0.50	0.50	0.50	0.50	0.50								1.00	10

C. FRESH WATER ANALYSES

MID Lateral 5

MID Lateral 5

Sample description: MID Lateral 5

Sample date: 07/22/2022 Source of analysis: Lab analysis

	Total N (mg/L)	NH4-N (mg/L)	Nitrate-N (mg/L)	Calcium (mg/L)	Magnesium (mg/L)	Sodium (mg/L)	Bicarbonate (mg/L)	Carbonate (mg/L)	Sulfate (mg/L)	Chloride (mg/L)	EC (µmhos/cm)	TDS (mg/L)
Value	0.00	0.00	0.00	0.00	0.00	0.00	0.00	0.00	0.00	0.00	228.00	80
DL	0.50	0.50	0.50	0.50	0.50	0.50	0.50	0.50	2.00	1.00	1.00	10

MID Lateral 5

MID Lateral 5

Sample description: MID Lateral 5

Sample date: 07/25/2023 Source of analysis: Lab analysis

	Total N (mg/L)	NH4-N (mg/L)	Nitrate-N (mg/L)	Calcium (mg/L)	Magnesium (mg/L)	Sodium (mg/L)	Bicarbonate (mg/L)	Carbonate (mg/L)	Sulfate (mg/L)	Chloride (mg/L)	EC (µmhos/cm)	TDS (mg/L)
Value	0.00	0.00	0.00								38.10	37
DL	1.00	0.50	0.50								1.00	10

D. SOIL ANALYSES

Field 1

Soil

Sample and source description: Soil

Sample date: 12/01/2023 Source of analysis: Lab analysis

	Nitrate-N (mg/kg)	Total P (mg/kg)	Soluble P (mg/kg)	K (mg/kg)	EC (µmhos/cm)	Organic matter (%)	Total salt (mg/kg)
Value			34.00				
DL			4.00				

Field 10

Soil

Sample and source description: Soil

Sample date: 12/01/2023 Source of analysis: Lab analysis

	Nitrate-N (mg/kg)	Total P (mg/kg)	Soluble P (mg/kg)	K (mg/kg)	EC (µmhos/cm)	Organic matter (%)	Total salt (mg/kg)
Value			17.00				
DL			4.00				

Field 2

Field 2

Soil

Sample and source description: Soil

Sample date: 12/01/2023 Source of analysis: Lab analysis

	Nitrate-N (mg/kg)	Total P (mg/kg)	Soluble P (mg/kg)	K (mg/kg)	EC (µmhos/cm)	Organic matter (%)	Total salt (mg/kg)
Value			119.00				
DL			4.00				

Field 3

Soil

Sample and source description: Soil

Sample date: 12/01/2023 Source of analysis: Lab analysis

	Nitrate-N (mg/kg)	Total P (mg/kg)	Soluble P (mg/kg)	K (mg/kg)	EC (µmhos/cm)	Organic matter (%)	Total salt (mg/kg)
Value			106.00				
DL			4.00				

Field 5

Soil

Sample and source description: Soil

Sample date: 12/01/2023 Source of analysis: Lab analysis

	Nitrate-N (mg/kg)	Total P (mg/kg)	Soluble P (mg/kg)	K (mg/kg)	EC (µmhos/cm)	Organic matter (%)	Total salt (mg/kg)
Value			63.00				
DL			4.00				

Field 6

Field 6

Soil

Sample and source description: Soil

Sample date: 12/01/2023 Source of analysis: Lab analysis

	Nitrate-N (mg/kg)	Total P (mg/kg)	Soluble P (mg/kg)	K (mg/kg)	EC (µmhos/cm)	Organic matter (%)	Total salt (mg/kg)
Value			27.00				
DL			4.00				

Field 7

Soils

Sample and source description: Soils

Sample date: 12/01/2023 Source of analysis: Lab analysis

	Nitrate-N (mg/kg)	Total P (mg/kg)	Soluble P (mg/kg)	K (mg/kg)	EC (µmhos/cm)	Organic matter (%)	Total salt (mg/kg)
Value			66.00				
DL			4.00				

Field 9

Soil

Sample and source description: Soil

Sample date: 12/01/2023 Source of analysis: Lab analysis

	Nitrate-N (mg/kg)	Total P (mg/kg)	Soluble P (mg/kg)	K (mg/kg)	EC (µmhos/cm)	Organic matter (%)	Total salt (mg/kg)
Value			51.00				
DL			4.00				

E. PLANT TISSUE ANALYSES

Field 1 - 02/02/2015: Peach

Field 1 - 02/02/2015: Peach

Peaches

Sample and source description: Peaches

Sample date: 09/12/2023 Source of analysis: Lab analysis Method of reporting: As-is

Moisture: 90.0 %

	Total N (mg/kg)	Total P (mg/kg)	Total K (mg/kg)	Total salt (mg/kg)	TFS (%)
Value	1,970.00	190.00	1,800.00		42.40
DL	100.00	100.00	100.00		0.01

Field 10 - 02/12/2007: Peach

Peaches

Sample and source description: Peaches

Sample date: 09/12/2023 Source of analysis: Lab analysis Method of reporting: As-is

Moisture: 90.0 %

	Total N (mg/kg)	Total P (mg/kg)	Total K (mg/kg)	Total salt (mg/kg)	TFS (%)
Value	1,970.00	190.00	1,800.00		42.40
DL	100.00	100.00	100.00		0.01

Field 2 - 02/10/2020: Almond, in shell

Almonds

Sample and source description: Almonds

Sample date: 09/18/2023 Source of analysis: Lab analysis Method of reporting: As-is

Moisture: 9.0 %

	Total N (mg/kg)	Total P (mg/kg)	Total K (mg/kg)	Total salt (mg/kg)	TFS (%)
Value	10,700.00	880.00	23,600.00		8.67
DL	100.00	100.00	100.00		0.01

Field 3 - 02/10/2020: Walnuts

Walnuts - Non Bearing

Sample and source description: Walnuts - Non Bearing

Sample date: 12/31/2023 Source of analysis: Lab analysis Method of reporting: As-is

Moisture: 0.1 %

	Total N (mg/kg)	Total P (mg/kg)	Total K (mg/kg)	Total salt (mg/kg)	TFS (%)
Value	0.00	0.00	0.00		0.00
DL	100.00	100.00	100.00		0.01

Field 5 - 02/10/2017: Peach

Peaches

Sample and source description: Peaches

Sample date: 09/12/2023 Source of analysis: Lab analysis Method of reporting: As-is

Moisture: 90.0 %

	Total N (mg/kg)	Total P (mg/kg)	Total K (mg/kg)	Total salt (mg/kg)	TFS (%)
Value	1,970.00	190.00	1,800.00		42.40
DL	100.00	100.00	100.00		0.01

Field 6 - 02/18/2023: Almond, in shell

Almonds - Non Bearing

Sample and source description: Almonds - Non Bearing

Sample date: 12/31/2023 Source of analysis: Lab analysis Method of reporting: As-is

Moisture: 0.1 %

	Total N (mg/kg)	Total P (mg/kg)	Total K (mg/kg)	Total salt (mg/kg)	TFS (%)
Value	0.00	0.00	0.00		0.00
DL	100.00	100.00	100.00		0.01

Field 7 - 02/01/2013: Walnuts

Walnuts

Sample and source description: Walnuts

Sample date: 10/26/2023 Source of analysis: Lab analysis Method of reporting: As-is

Moisture: 7.0 %

	Total N (mg/kg)	Total P (mg/kg)	Total K (mg/kg)	Total salt (mg/kg)	TFS (%)
Value	38,600.00	4,420.00	5,780.00		1.78
DL	100.00	100.00	100.00		0.01

Field 9 - 02/17/2008: Walnuts

Walnuts

Sample and source description: Walnuts

Sample date: 08/18/2023 Source of analysis: Lab analysis Method of reporting: As-is

Moisture: 7.0 %

	Total N (mg/kg)	Total P (mg/kg)	Total K (mg/kg)	Total salt (mg/kg)	TFS (%)
Value	38,600.00	4,420.00	5,780.00		1.78
DL	100.00	100.00	100.00		0.01

F. SUBSURFACE (TILE) DRAINAGE ANALYSES

No subsurface (tile) drainage analyses entered.

NUTRIENT APPLICATIONS, POTENTIAL REMOVAL, AND BALANCE

A. SUMMARY OF NUTRIENT APPLICATIONS, POTENTIAL REMOVAL, AND BALANCE

	Total N (lbs)	Total P (lbs)	Total K (lbs)	Total salt (lbs)
Existing soil nutrient content	0.00	0.00	0.00	0.00
Plowdown credit	0.00	0.00	0.00	0.00
Commercial fertilizer / Other	8,883.80	1,221.00	1,221.00	0.00
Dry manure	4,054.68	1,599.37	7,654.12	112,635.36
Process wastewater	2,744.34	447.14	10,314.92	45,044.97
Fresh water	0.00	0.00	0.00	72,623.91
Atmospheric deposition	2,352.00	0.00	0.00	0.00
Total nutrients applied	18,034.82	3,267.51	19,190.04	230,304.25
Anticipated crop nutrient removal	31,193.20	5,573.87	25,666.47	0.00
Actual crop nutrient removal	13,573.63	1,408.71	8,474.38	163,218.21
Nutrient balance	4,461.19	1,858.80	10,715.66	67,086.04
Applied to removed ratio	1.33	2.32	2.26	1.41

B. POUNDS OF NUTRIENT APPLIED VS. CROP REMOVAL

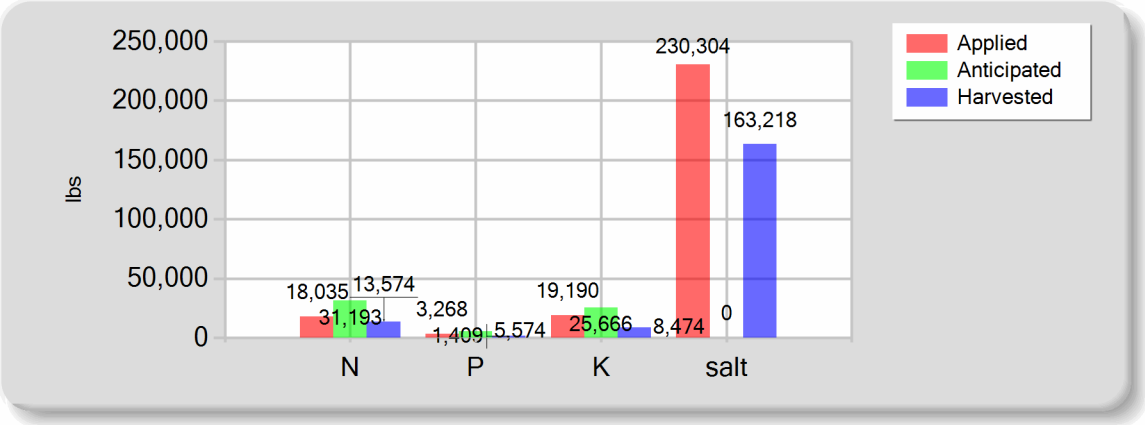

C. POUNDS OF NUTRIENT APPLIED BY MATERIAL TYPE

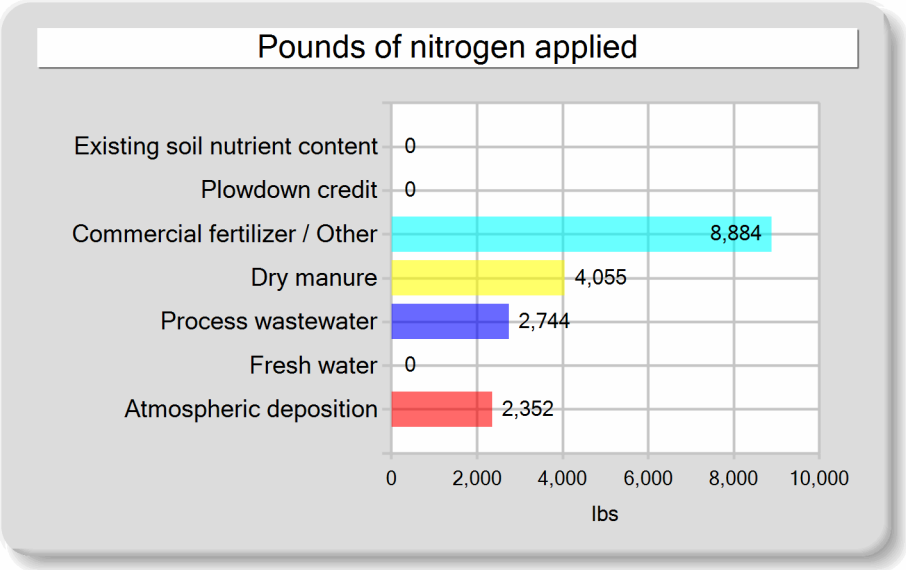

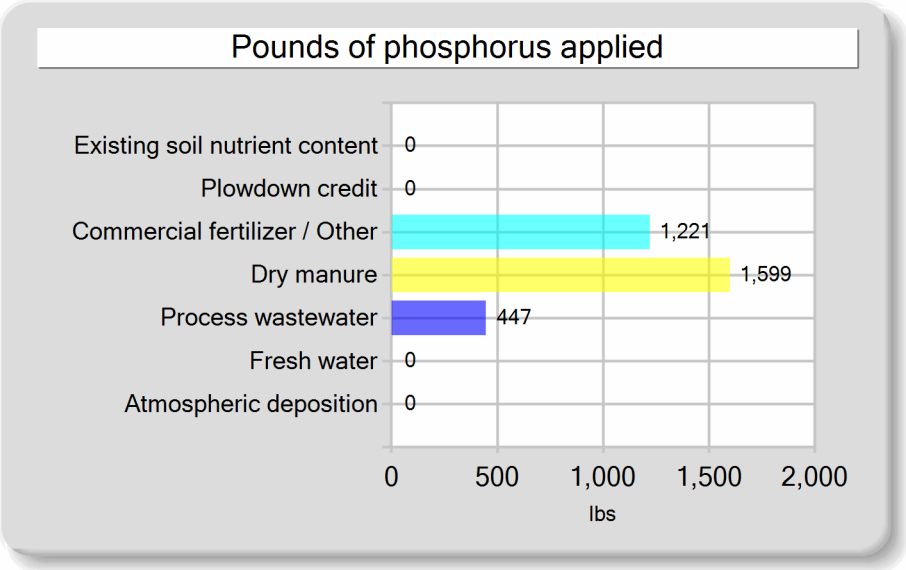

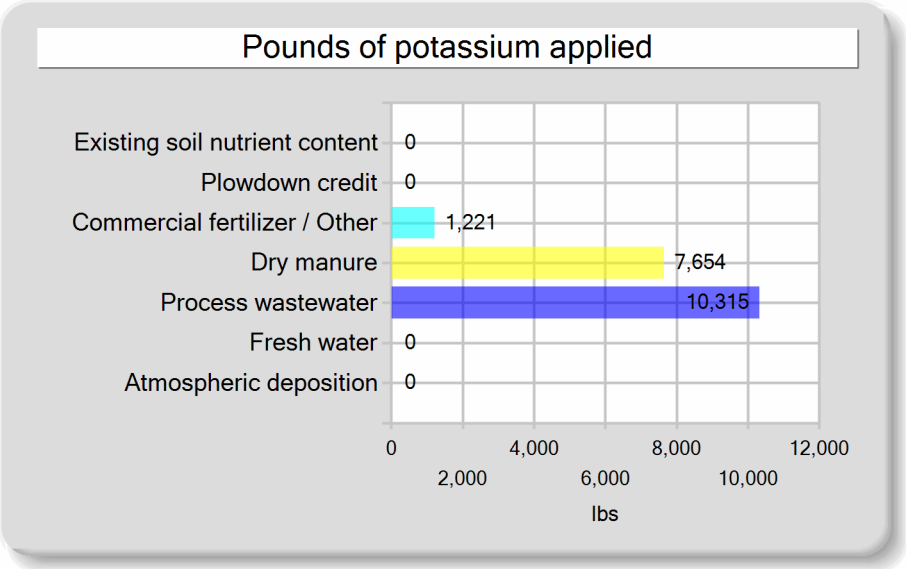

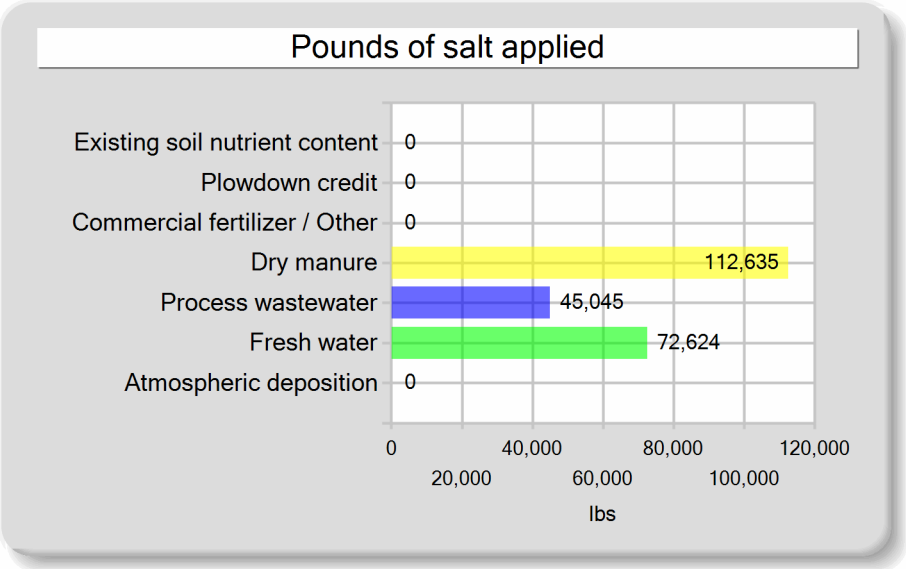

EXCEPTION REPORTING

A. MANURE, PROCESS WASTEWATER, AND OTHER DAIRY WASTE DISCHARGES

The following is a summary of all manure and process wastewater discharges from the production area to surface water or to land areas (land application areas or otherwise) when not in accordance with the facility's Nutrient Management Plan.

No manure or process wastewater discharges occurred during the reporting period.

B. STORM WATER DISCHARGES

The following is a summary of all storm water discharges from the production area to surface water during the reporting period when not in accordance with the facility 's Nutrient Management Plan.

No stormwater discharges occurred during the reporting period.

C. LAND APPLICATION AREA TO SURFACE WATER DISCHARGES

The following is a summary of all discharges from the land application area to surface water that have occurred during the reporting period when not in accordance with the facility's Nutrient Management Plan.

No land application area to surface water discharges occurred during the reporting period.

NUTRIENT MANAGEMENT PLAN AND EXPORT AGREEMENT STATEMENTS

A. NUTRIENT MANAGEMENT PLAN STATEMENTS

Was the facility's NMP updated in the reporting period?	Yes
Was the facility's NMP developed by a certified nutrient management planner (specialist) as specified in Attachment C of the General Order?	Yes
Was the facility's NMP approved by a certified nutrient management planner (specialist) as specified in Attachment C of the General Order?	Yes

B. EXPORT AGREEMENT STATEMENT

Are there any written agreements with third parties to receive manure or process wastewater that are new or were revised within the reporting period?	No

ADDITIONAL NOTES

A. NOTES

No notes entered for this annual report.

CERTIFICATION

A. OWNER AND/OR OPERATOR CERTIFICATION

I certify under penalty of law that I have personally examined and am familiar with the information submitted in this document and all attachments and that, based on my inquiry of those individuals immediately responsible for obtaining the information, I believe that the information is true, accurate, and complete. I am aware that there are significant penalties for submitting false information, including the possibility of fine and imprisonment.

Manuel Furtado
Manuel Furtado (May 17, 2024 09:26 PDT)

SIGNATURE OF OWNER OF FACILITY	SIGNATURE OF OPERATOR OF FACILITY
Manuel B Furtado	SAME AS OWNER
PRINT OR TYPE NAME	PRINT OR TYPE NAME
May 17, 2024	
DATE	DATE

Annual Report - General Order No. R5-2007-0035
Reporting period 01/01/2023 to 12/31/2023.

ATTACHMENTS

A. REQUIRED ATTACHMENTS

The following lists the required documents that should be attached to the Annual Report when submitted .

Annual Dairy Facility Assessment
Provide an Annual Dairy Facility Assessment (an update to the Preliminary Dairy Facility Assessment in Attachment A) for each reporting period. On the PDFA Final page, click on the ADFA Report button to generate an ADFA report after updating information as needed .

Manure/Process Wastewater Tracking Manifests
Provide copies of all manure/process wastewater tracking manifests for the reporting period, signed by both the owner/operator and the hauler.

Corrective Actions Documents
Provide records documenting any corrective actions taken to correct deficiencies noted as a result of the inspections required in the Monitoring Requirements of the General Order. Deficiencies not corrected in 30 days must be accompanied by an explanation of the factors preventing immediate correction.

Groundwater Monitoring
Dischargers that monitor supply wells or subsurface (tile) drainage systems, or that have monitoring well systems must submit monitoring results as directed in the General Order, Groundwater Reporting Section starting on page MRP-13.

Storm Water Monitoring
Dischargers that are required to monitor storm water more frequently than required in the General Order must submit monitoring results as directed in the General Order, Storm Water Reporting Section on page MRP-14.

DENELE ANALYTICAL, INC.

865 S. KILROY
TURLOCK, CA 95380

PH# 209-634-9055 FAX# 209-634-9057

DAIRY COMPLIANCE

Client: Furtado Farms
Mailing address: 1949 Pauline Ave.
(not facility address) Modesto, CA 95358
Phone#:

Authorized Copy Released To: F+R Ag

Sampled By: Manuel Furtado
Project ID:

ANALYSIS TO BE COMPLETED:

IRRIGATION/GROUND WATER
H1 EC*, NO3-N, NH4-N*
H6 EC, TN, TDS
H7 Combination of H1 & H6
H14 EC, NO3-N, NH4-N, Ca, Mg, Na, Bicarb Carb, SO4, Cl, TDS

PROCESS WASTE WATER
H3 EC*, NH4-N, TKN, TP, K, TDS
H4 EC*, NO3-N, NH4-N, TKN, TP, K, TDS
H5 Ca, Mg, Na, Bicarb, Carb, SO4, Cl
H8 Combination of H3 &H5
H9 Combination of H4 &H5

TILE DRAIN
H2 EC*, NO3-N, TP, NH4-N*, TDS

** Required Field Measurement*

___ (Check here if performed)

DISCHARGE WATER
E1 EC*, Temp*, pH*, NO3-N, NH4-N, TKN, TP, K, TDS, Dissolved Oxygen*, BOD 5, TSS, Total & Fecal Coliforms
E2 EC,* Temp*, pH*, NO3-N, NH4-N*, Turbidity, TP, Dissolved Oxygen*, Total & Fecal Coliforms
E3 EC*, Temp*, pH*, NO3-N, NH4-N*, TP, Total & Fecal Coliforms
E4 EC*, Temp*, pH*, NO3-N, NH4-N*, Turbidity, TP, Total & Fecal Coliform

MANURE
M1 % Moisture
M3 TN TP, K, % Moisture
M4 Ca, Mg, Na, Bicarb, Carb, SO4, Cl, Ash
M7 Combination of M3 & M4

PLANT TISSUE
F18 % Moisture, Ash, TN, P, K, DM and as received
F18+ % Moisture, Ash, TN, P, K, DM and as received (Package also includes NIR DCAD)
F19+ % Moisture, TN (Package includes complete plant tissue analysis)

SOIL
K3 Soluble Phosphorus
K4 1ft NO3, Organic Matter
K5 Pre-Plant (2ft NO3), Fall (1-2ft NO3), Fall (2-3ft NO3)
K6 0-1ft EC, NO3, Soluble P, K, Organic Matter
K7 Combination of K3 & K4
K8 Combination of K3 & K5

	Date Collected	Time Collected	Sample ID	Description	Temp	Well Purge	H1	H3	M3	F18	OTHER
1	12-1-23	7:00	New Dairy Domestic Well				✓				
2	12-1-23	7:10	2017 Dairy Domestic Well				✓				
3	12-1-23	7:30	Manuel's House Domestic Well				✓				
4	12-1-23	7:45	3325 Paradise Domestic Well				✓				
5	12-1-23	8:15	Michigan Domestic Well				✓				
6											
7											
8											
9											
10											

Analysis

CHAIN OF CUSTODY RECORDING

	Signature	Company	Received Date & Time	Relinquished Date & Time	(LABORATORY USE ONLY) Logged In By:	LABORATORY NUMBER
1st	Vince Furtado	F+R Ag	12-1-23 9:30	12-1-23		
2nd	[signature]	DENELE ANALYTICAL, INC.	12-1-23 12:47		LG	T3335005

Required to be submitted to any agency? (YES / NO)

Denele Analytical, Inc.

865 South Kilroy Avenue Turlock, CA 95380
Phone (209) 634-9055 - Fax (209) 634-9057

www.denelelabs.com

40 N. East Street, Woodland, CA 95776
Phone (530) 666-9056 - Fax (530) 666-9058

Compliance Analysis Report

Customer
Furtado Farms
1949 Pauline Ave
Modesto , CA 95358

Grower

Consultant:
F & R Ag Services
2857 Geer Rd. Ste A
Turlock, CA 95382

PURCHASE ORDER:
RECEIVED DATE: 12/1/23 12:47 PM
SUBMITTED BY: Vince
ANALYZED DATE: 12/5/23

Irrigation/ Ground Water (H1)
SOURCE: Well Water

NOTES: Temperature was above qualifying at 16.2c

Sample ID	Lab ID	Analyte	Method Ref	Result	Units
New Dairy Domestic Well	T3335005A	Electrical Conductivity (EC)	EPA 120.1 and	0.805	mmhos/cm
		Nitrate Nitrogen (NO3-N)	EPA 353.2	10.0	mg/L
		Ammonia Nitrogen (NH3-N)	SM 4500-NH3 D,C	< 0.500	mg/L
		Soluble Salts (SALT-SOL)	Calculation	515	mg/L

Laboratory Quality Control	LCS %	MS %	MSD %	RPD %
Ammonia Nitrogen (NH3-N)	95.8			
Electrical Conductivity (EC)	97.0			0.106
Nitrate Nitrogen (NO3-N)	95.0	101 (T3334011D)	100 (T3334011D)	0.756

The warranty of Denele Analytical is limited to the accuracy of the analyses of the samples as received. Denele Analytical assumes no responsibility for which the customer uses our test results, nor liability for any other warranties, express or implied. These terms and conditions shall supercede any conflicting terms and conditions submitted on customer purchase orders or other forms submitted for work.

ELAP Certificate No.: 2714

Denele Analytical, Inc.

865 South Kilroy Avenue Turlock, CA 95380
Phone (209) 634-9055 - Fax (209) 634-9057

40 N. East Street, Woodland, CA 95776
Phone (530) 666-9056 - Fax (530) 666-9058

www.denelelabs.com

Compliance Analysis Report

Customer
Furtado Farms
1949 Pauline Ave
Modesto , CA 95358

Grower

Consultant:
F & R Ag Services
2857 Geer Rd. Ste A
Turlock, CA 95382

PURCHASE ORDER:
RECEIVED DATE: 12/1/23 12:47 PM
SUBMITTED BY: Vince
ANALYZED DATE: 12/5/23

Irrigation/ Ground Water (H1)
SOURCE: Well Water

NOTES: Temperature was above qualifying at 15.8c

Sample ID	Lab ID	Analyte	Method Ref	Result	Units
2017 Dairy Domestic Well	T3335005B	Electrical Conductivity (EC)	EPA 120.1 and	0.806	mmhos/cm
		Nitrate Nitrogen (NO3-N)	EPA 353.2	9.90	mg/L
		Ammonia Nitrogen (NH3-N)	SM 4500-NH3 D,C	< 0.500	mg/L
		Soluble Salts (SALT-SOL)	Calculation	516	mg/L

Laboratory Quality Control	LCS %	MS %	MSD %	RPD %
Ammonia Nitrogen (NH3-N)	95.8			
Electrical Conductivity (EC)	97.0			0.106
Nitrate Nitrogen (NO3-N)	95.0	101 (T3334011D)	100 (T3334011D)	0.756

The warranty of Denele Analytical is limited to the accuracy of the analyses of the samples as received. Denele Analytical assumes no responsibility for which the customer uses our test results, nor liability for any other warranties, express or implied. These terms and conditions shall supercede any conflicting terms and conditions submitted on customer purchase orders or other forms submitted for work.

Denele Analytical, Inc.

865 South Kilroy Avenue Turlock, CA 95380
Phone (209) 634-9055 - Fax (209) 634-9057

40 N. East Street, Woodland, CA 95776
Phone (530) 666-9056 - Fax (530) 666-9058

www.denelelabs.com

Compliance Analysis Report

Customer
Furtado Farms
1949 Pauline Ave
Modesto , CA 95358

Grower

Consultant:
F & R Ag Services
2857 Geer Rd. Ste A
Turlock, CA 95382

PURCHASE ORDER:
RECEIVED DATE: 12/1/23 12:47 PM
SUBMITTED BY: Vince
ANALYZED DATE: 12/5/23

Irrigation/ Ground Water (H1)
SOURCE: Well Water

NOTES: Temperature was above qualifying at 15.6c

Sample ID	Lab ID	Analyte	Method Ref	Result	Units
Manuel's House Domestic Well	T3335005C	Electrical Conductivity (EC)	EPA 120.1 and	0.755	mmhos/cm
		Nitrate Nitrogen (NO3-N)	EPA 353.2	9.47	mg/L
		Ammonia Nitrogen (NH3-N)	SM 4500-NH3 D,C	< 0.500	mg/L
		Soluble Salts (SALT-SOL)	Calculation	483	mg/L

Laboratory Quality Control	LCS %	MS %	MSD %	RPD %
Ammonia Nitrogen (NH3-N)	95.8			
Electrical Conductivity (EC)	97.0			0.106
Nitrate Nitrogen (NO3-N)	95.0	101 (T3334011D)	100 (T3334011D)	0.756

The warranty of Denele Analytical is limited to the accuracy of the analyses of the samples as received. Denele Analytical assumes no responsibility for which the customer uses our test results, nor liability for any other warranties, express or implied. These terms and conditions shall supercede any conflicting terms and conditions submitted on customer purchase orders or other forms submitted for work.

Denele Analytical, Inc.

865 South Kilroy Avenue Turlock, CA 95380
Phone (209) 634-9055 - Fax (209) 634-9057

www.denelelabs.com

40 N. East Street, Woodland, CA 95776
Phone (530) 666-9056 - Fax (530) 666-9058

Compliance Analysis Report

Customer
Furtado Farms
1949 Pauline Ave
Modesto , CA 95358

Grower

Consultant:
F & R Ag Services
2857 Geer Rd. Ste A
Turlock, CA 95382

PURCHASE ORDER:
RECEIVED DATE: 12/1/23 12:47 PM
SUBMITTED BY: Vince
ANALYZED DATE: 12/5/23

Irrigation/ Ground Water (H1)
SOURCE: Well Water

NOTES: Temperature was above qualifying at 16.2c

Sample ID	Lab ID	Analyte	Method Ref	Result	Units
3325 Paradise Domestic Well	T3335005D	Electrical Conductivity (EC)	EPA 120.1 and	0.810	mmhos/cm
		Nitrate Nitrogen (NO3-N)	EPA 353.2	9.52	mg/L
		Ammonia Nitrogen (NH3-N)	SM 4500-NH3 D,C	< 0.500	mg/L
		Soluble Salts (SALT-SOL)	Calculation	518	mg/L

Laboratory Quality Control	LCS %	MS %	MSD %	RPD %
Ammonia Nitrogen (NH3-N)	95.8			
Electrical Conductivity (EC)	97.0			0.106
Nitrate Nitrogen (NO3-N)	95.0	101 (T3334011D)	100 (T3334011D)	0.756

The warranty of Denele Analytical is limited to the accuracy of the analyses of the samples as received. Denele Analytical assumes no responsibility for which the customer uses our test results, nor liability for any other warranties, express or implied. These terms and conditions shall supercede any conflicting terms and conditions submitted on customer purchase orders or other forms submitted for work.

Denele Analytical, Inc.

865 South Kilroy Avenue Turlock, CA 95380
Phone (209) 634-9055 - Fax (209) 634-9057

40 N. East Street, Woodland, CA 95776
Phone (530) 666-9056 - Fax (530) 666-9058

www.denelelabs.com

Compliance Analysis Report

Customer
Furtado Farms
1949 Pauline Ave
Modesto , CA 95358

Grower

Consultant:
F & R Ag Services
2857 Geer Rd. Ste A
Turlock, CA 95382

PURCHASE ORDER:
RECEIVED DATE: 12/1/23 12:47 PM
SUBMITTED BY: Vince
ANALYZED DATE: 12/5/23

Irrigation/ Ground Water (H1)
SOURCE: Well Water

NOTES: Temperature was above qualifying at 16.4c

Sample ID	Lab ID	Analyte	Method Ref	Result	Units
Michigan Domestic Well	T3335005E	Electrical Conductivity (EC)	EPA 120.1 and	0.542	mmhos/cm
		Nitrate Nitrogen (NO3-N)	EPA 353.2	7.04	mg/L
		Ammonia Nitrogen (NH3-N)	SM 4500-NH3 D,C	< 0.500	mg/L
		Soluble Salts (SALT-SOL)	Calculation	347	mg/L

Laboratory Quality Control	LCS %	MS %	MSD %	RPD %
Ammonia Nitrogen (NH3-N)	95.8			
Electrical Conductivity (EC)	97.0			0.106
Nitrate Nitrogen (NO3-N)	95.0	101 (T3334011D)	100 (T3334011D)	0.756

The warranty of Denele Analytical is limited to the accuracy of the analyses of the samples as received. Denele Analytical assumes no responsibility for which the customer uses our test results, nor liability for any other warranties, express or implied. These terms and conditions shall supercede any conflicting terms and conditions submitted on customer purchase orders or other forms submitted for work.

Furtado Farms 2023 Annual Report

Final Audit Report 2024-05-17

Created:	2024-05-16
By:	Vince Furtado (vfurtado@fragservices.com)
Status:	Signed
Transaction ID:	CBJCHBCAABAACIRB9pRmtAA0_oLBWPa_SebL5KriLL5_

"Furtado Farms 2023 Annual Report" History

Document created by Vince Furtado (vfurtado@fragservices.com)
2024-05-16 - 10:48:08 PM GMT

Document emailed to manuel.furtado@att.net for signature
2024-05-16 - 10:49:26 PM GMT

Email viewed by manuel.furtado@att.net
2024-05-17 - 4:25:39 PM GMT

Signer manuel.furtado@att.net entered name at signing as Manuel Furtado
2024-05-17 - 4:26:33 PM GMT

Document e-signed by Manuel Furtado (manuel.furtado@att.net)
Signature Date: 2024-05-17 - 4:26:35 PM GMT - Time Source: server

Agreement completed.
2024-05-17 - 4:26:35 PM GMT