**Annual Report - General Order No. R5-2007-0035**
*Reporting period 01/01/2023 to 12/31/2023.*

DAIRY FACILITY INFORMATION

**A. NAME OF DAIRY OR BUSINESS OPERATING THE DAIRY:** 3 Machados Dairy

Physical address of dairy:

| Number and Street | City | County | Zip Code |
|---|---|---|---|
| 3260 W Sandy Mush RD | Merced | Merced | 95340 |

Street and nearest cross street (if no address):

Date facility was originally placed in operation: 01/01/1991

Regional Water Quality Control Board Basin Plan designation: San Joaquin River Basin

County Assessor Parcel Number(s) for dairy facility:

X065-X120-X016-XXXX

**B. OPERATORS**

Machado, Jose

Operator name: Machado, Jose

Telephone no.: (209) 383-7661 Landline, (209) 564-0170 Cellular

| Mailing Address Number and Street | City | State | Zip Code |
|---|---|---|---|
| 3412 W Sandy Mush RD | Merced | CA | 95341 |

**This operator is responsible for paying permit fees.**

**C. OWNERS**

Machado, Jose

Legal owner name: Machado, Jose

Telephone no.: (209) 383-7661 Landline, (209) 564-0170 Cellular

| Mailing Address Number and Street | City | State | Zip Code |
|---|---|---|---|
| 3412 W Sandy Mush RD | Merced | CA | 95341 |

**This owner is responsible for paying permit fees.**

**Annual Report - General Order No. R5-2007-0035**
*Reporting period 01/01/2023 to 12/31/2023.*

AVAILABLE NUTRIENTS

## A. HERD INFORMATION

| | Milk Cows | Dry Cows | Bred Heifers (15-24 mo.) | Heifers (7-14 mo. to breeding) | Calves (4-6 mo.) | Calves (0-3 mo.) |
|---|---|---|---|---|---|---|
| Number open confinement | 0 | 0 | 0 | 385 | 485 | 0 |
| Number under roof | 2,240 | 285 | 550 | 0 | 0 | 0 |
| Maximum number | 2,400 | 300 | 598 | 400 | 500 | 0 |
| Average number | 2,240 | 285 | 550 | 385 | 485 | 0 |
| Avg live weight (lbs) | 1,400 | 1,400 | 900 | 650 | | |

Predominant milk cow breed: Holstein

Average milk production: 75 *pounds per cow per day*

## B. MANURE GENERATED

Total manure excreted by the herd: 73,721.10 *tons per reporting period*

Total nitrogen from manure: 933,964.88 *lbs per reporting period*

After ammonia losses (30% loss applied): 653,775.42 *lbs per reporting period*

Total phosphorus from manure: 153,976.67 *lbs per reporting period*

Total potassium from manure: 436,339.07 *lbs per reporting period*

Total salt from manure: 1,120,239.75 *lbs per reporting period*

## C. PROCESS WASTEWATER GENERATED

Process wastewater generated: 95,796,000 *gallons*

Total nitrogen generated: 252,816.05 *lbs*

Total phosphorus generated: 48,808.64 *lbs*

Total potassium generated: 330,154.97 *lbs*

Total salt generated: 1,993,569.09 *lbs*

| | | |
|---|---|---|
| | 95,796,000 | *gallons applied* |
| + | 0 | *gallons exported* |
| - | 0 | *gallons imported* |
| = | 95,796,000 | *gallons generated* |

## D. FRESH WATER SOURCES

| Source Description | Type |
|---|---|
| Irrigation Wells | Ground water |
| IW 1 | Ground water |
| IW 2 | Ground water |
| IW 3 | Ground water |
| IW 5 | Ground water |

**Annual Report - General Order No. R5-2007-0035**
*Reporting period 01/01/2023 to 12/31/2023.*

| Source Description | Type |
|---|---|
| IW 6 | Ground water |
| IW Shippee | Ground water |
| MID Canal | Surface water |

## E. SUBSURFACE (TILE) DRAINAGE SOURCES

*No subsurface (tile) drainage sources entered.*

## F. NUTRIENT IMPORTS

| Date | Material type / Description | Quantity | Reporting basis | Moist. (%) | N (mg/kg) | P (mg/kg) | K (mg/kg) | Salt (mg/kg) | TFS (%) |
|---|---|---|---|---|---|---|---|---|---|
| 09/28/2023 | Corral solids<br>*Lone Tree Heifer Ranch Corral Solids* | 828.00 *ton* | Dry-weight | 8.2 | 22,400.00 | 7,000.00 | 17,100.00 | | 47.40 |

*No process wastewater nutrient imports entered.*

*No commercial or other nutrient imports entered.*

| Material type | Total N (lbs) | Total P (lbs) | Total K (lbs) | Total salt (lbs) |
|---|---|---|---|---|
| Commercial fertilizer / Other | 0.00 | 0.00 | 0.00 | 0.00 |
| Dry manure | 34,052.66 | 10,641.46 | 25,995.56 | 720,578.59 |
| Process wastewater | 0.00 | 0.00 | 0.00 | 0.00 |
| Total imports for all materials | 34,052.66 | 10,641.46 | 25,995.56 | 720,578.59 |

## G. NUTRIENT EXPORTS

| Date | Material type | Quantity | Reporting basis | Moisture (%) | Density (lbs/cu ft) | N (mg/kg) | P (mg/kg) | K (mg/kg) | Salt (mg/kg) | TFS (%) |
|---|---|---|---|---|---|---|---|---|---|---|
| 10/17/2023 | Corral solids | 1,704.00 *ton* | Dry-weight | 6.4 | | 17,900.00 | 7,000.00 | 26,800.00 | | 52.90 |
| 11/07/2023 | Corral solids | 1,344.00 *ton* | Dry-weight | 6.4 | | 17,900.00 | 7,000.00 | 26,800.00 | | 52.90 |

*No liquid nutrient exports entered.*

| Material type | Total N (lbs) | Total P (lbs) | Total K (lbs) | Total salt (lbs) |
|---|---|---|---|---|
| Dry manure | 102,134.82 | 39,940.99 | 152,916.94 | 3,018,397.82 |
| Process wastewater | 0.00 | 0.00 | 0.00 | 0.00 |
| Total exports for all materials | 102,134.82 | 39,940.99 | 152,916.94 | 3,018,397.82 |

**Annual Report - General Order No. R5-2007-0035**
*Reporting period 01/01/2023 to 12/31/2023.*

APPLICATION AREA

## A. LIST OF LAND APPLICATION AREAS

| Field name | Controlled acres | Cropable acres | Total harvests | Type of waste applied | Parcel number |
|---|---|---|---|---|---|
| Baxter | 43 | 43 | 1 | manure | X065-X100-X006-XXXX |
| Field 1 | 112 | 112 | 2 | process wastewater | X065-X120-X016-XXXX |
| Field 2 | 123 | 123 | 2 | both | X065-X120-X016-XXXX |
| Field 3 | 170 | 170 | 2 | process wastewater | X065-X120-X016-XXXX |
| Field 4 | 27 | 27 | 2 | process wastewater | X074-X080-X042-XXXX<br>X074-X800-X014-XXXX |
| Field 5 | 47 | 47 | 2 | process wastewater | X074-X080-X042-XXXX |
| Field 6 | 35 | 35 | 2 | process wastewater | X074-X080-X032-XXXX |
| Field 6B | 11 | 11 | 2 | process wastewater | X074-X080-X032-XXXX |
| Field 7 | 49 | 49 | 2 | both | X074-X080-X032-XXXX |
| Field 8 | 63 | 63 | 2 | process wastewater | X065-X120-X019-XXXX |
| Field 9 | 37 | 37 | 2 | manure | X065-X120-X018-XXXX<br>X065-X120-X019-XXXX<br>X065-X130-X058-XXXX |
| Totals for areas that were used for application | 717 | 717 | 21 | | |
| Totals for areas that were not used for application | | | | | |
| Land application area totals | 717 | 717 | 21 | | |

## B. CROPS AND HARVESTS

Baxter

Field name: Baxter

10/16/2022: Wheat, silage, soft dough

Crop: Wheat, silage, soft dough  Acres planted: 43  Plant date: 10/16/2022

| Harvest date | Yield | Reporting basis | Density (lbs/cu ft) | Moisture (%) | N (mg/kg) | P (mg/kg) | K (mg/kg) | Salt (mg/kg) | TFS (%) |
|---|---|---|---|---|---|---|---|---|---|
| 04/26/2023 | 519.82 *ton* | As-is | | 65.5 | 6,000.00 | 1,600.00 | 9,300.00 | | 11.60 |

| | Yield (tons/acre) | Total N (lbs/acre) | Total P (lbs/acre) | Total K (lbs/acre) | Salt (lbs/acre) |
|---|---|---|---|---|---|
| Anticipated harvest content | 17.00 | 295.80 | 51.00 | 141.10 | 0.00 |
| Total actual harvest content | 12.09 | 145.07 | 38.68 | 224.85 | 967.59 |

**Annual Report - General Order No. R5-2007-0035**
*Reporting period 01/01/2023 to 12/31/2023.*

## Field 1

Field name: Field 1

### 11/05/2022: Wheat, silage, soft dough

Crop: Wheat, silage, soft dough  Acres planted: 112  Plant date: 11/05/2022

| Harvest date | Yield | Reporting basis | Density (lbs/cu ft) | Moisture (%) | N (mg/kg) | P (mg/kg) | K (mg/kg) | Salt (mg/kg) | TFS (%) |
|---|---|---|---|---|---|---|---|---|---|
| 05/27/2023 | 1,690.68 *ton* | As-is | | 56.4 | 5,800.00 | 1,100.00 | 7,200.00 | | 19.40 |

| | Yield (tons/acre) | Total N (lbs/acre) | Total P (lbs/acre) | Total K (lbs/acre) | Salt (lbs/acre) |
|---|---|---|---|---|---|
| Anticipated harvest content | 17.00 | 295.80 | 51.00 | 141.10 | 0.00 |
| Total actual harvest content | 15.10 | 175.11 | 33.21 | 217.37 | 2,553.65 |

### 06/18/2023: Corn, silage

Crop: Corn, silage  Acres planted: 112  Plant date: 06/18/2023

| Harvest date | Yield | Reporting basis | Density (lbs/cu ft) | Moisture (%) | N (mg/kg) | P (mg/kg) | K (mg/kg) | Salt (mg/kg) | TFS (%) |
|---|---|---|---|---|---|---|---|---|---|
| 10/10/2023 | 2,717.49 *ton* | As-is | | 58.5 | 4,900.00 | 900.00 | 5,200.00 | | 4.50 |

| | Yield (tons/acre) | Total N (lbs/acre) | Total P (lbs/acre) | Total K (lbs/acre) | Salt (lbs/acre) |
|---|---|---|---|---|---|
| Anticipated harvest content | 25.00 | 287.50 | 55.00 | 165.00 | 0.00 |
| Total actual harvest content | 24.26 | 237.78 | 43.67 | 252.34 | 906.23 |

## Field 2

Field name: Field 2

### 10/25/2022: Wheat, silage, soft dough

Crop: Wheat, silage, soft dough  Acres planted: 123  Plant date: 10/25/2022

| Harvest date | Yield | Reporting basis | Density (lbs/cu ft) | Moisture (%) | N (mg/kg) | P (mg/kg) | K (mg/kg) | Salt (mg/kg) | TFS (%) |
|---|---|---|---|---|---|---|---|---|---|
| 04/26/2023 | 1,600.49 *ton* | As-is | | 72.2 | 5,400.00 | 1,100.00 | 7,800.00 | | 9.90 |

| | Yield (tons/acre) | Total N (lbs/acre) | Total P (lbs/acre) | Total K (lbs/acre) | Salt (lbs/acre) |
|---|---|---|---|---|---|
| Anticipated harvest content | 17.00 | 295.80 | 51.00 | 141.10 | 0.00 |
| Total actual harvest content | 13.01 | 140.53 | 28.63 | 202.99 | 716.24 |

**Annual Report - General Order No. R5-2007-0035**
*Reporting period 01/01/2023 to 12/31/2023.*

## Field 2

### 06/26/2023: Corn, silage

Crop: Corn, silage Acres planted: 123 Plant date: 06/26/2023

| Harvest date | Yield | Reporting basis | Density (lbs/cu ft) | Moisture (%) | N (mg/kg) | P (mg/kg) | K (mg/kg) | Salt (mg/kg) | TFS (%) |
|---|---|---|---|---|---|---|---|---|---|
| 10/18/2023 | 3,011.31 *ton* | As-is | | 71.2 | 3,200.00 | 700.00 | 4,900.00 | | 5.40 |

| | Yield (tons/acre) | Total N (lbs/acre) | Total P (lbs/acre) | Total K (lbs/acre) | Salt (lbs/acre) |
|---|---|---|---|---|---|
| Anticipated harvest content | 25.00 | 287.50 | 55.00 | 165.00 | 0.00 |
| Total actual harvest content | 24.48 | 156.69 | 34.28 | 239.93 | 761.49 |

## Field 3

Field name: Field 3

### 10/01/2022: Wheat, silage, soft dough

Crop: Wheat, silage, soft dough Acres planted: 163 Plant date: 10/01/2022

| Harvest date | Yield | Reporting basis | Density (lbs/cu ft) | Moisture (%) | N (mg/kg) | P (mg/kg) | K (mg/kg) | Salt (mg/kg) | TFS (%) |
|---|---|---|---|---|---|---|---|---|---|
| 05/26/2023 | 2,775.23 *ton* | As-is | | 45.3 | 9,000.00 | 1,400.00 | 9,000.00 | | 14.40 |

| | Yield (tons/acre) | Total N (lbs/acre) | Total P (lbs/acre) | Total K (lbs/acre) | Salt (lbs/acre) |
|---|---|---|---|---|---|
| Anticipated harvest content | 17.00 | 295.80 | 51.00 | 141.10 | 0.00 |
| Total actual harvest content | 17.03 | 306.47 | 47.67 | 306.47 | 2,682.20 |

### 07/01/2023: Corn, silage

Crop: Corn, silage Acres planted: 163 Plant date: 07/01/2023

| Harvest date | Yield | Reporting basis | Density (lbs/cu ft) | Moisture (%) | N (mg/kg) | P (mg/kg) | K (mg/kg) | Salt (mg/kg) | TFS (%) |
|---|---|---|---|---|---|---|---|---|---|
| 10/24/2023 | 3,646.16 *ton* | As-is | | 71.9 | 3,800.00 | 600.00 | 5,100.00 | | 6.20 |

| | Yield (tons/acre) | Total N (lbs/acre) | Total P (lbs/acre) | Total K (lbs/acre) | Salt (lbs/acre) |
|---|---|---|---|---|---|
| Anticipated harvest content | 25.00 | 287.50 | 55.00 | 165.00 | 0.00 |
| Total actual harvest content | 22.37 | 170.01 | 26.84 | 228.16 | 779.43 |

**Annual Report - General Order No. R5-2007-0035**
*Reporting period 01/01/2023 to 12/31/2023.*

## Field 4

Field name: Field 4

### 09/29/2022: Wheat, silage, soft dough

Crop: Wheat, silage, soft dough  Acres planted: 27  Plant date: 09/29/2022

| Harvest date | Yield | Reporting basis | Density (lbs/cu ft) | Moisture (%) | N (mg/kg) | P (mg/kg) | K (mg/kg) | Salt (mg/kg) | TFS (%) |
|---|---|---|---|---|---|---|---|---|---|
| 04/26/2023 | 329.75 *ton* | As-is | | 74.6 | 6,800.00 | 1,200.00 | 8,400.00 | | 11.80 |

| | Yield (tons/acre) | Total N (lbs/acre) | Total P (lbs/acre) | Total K (lbs/acre) | Salt (lbs/acre) |
|---|---|---|---|---|---|
| Anticipated harvest content | 17.00 | 295.80 | 51.00 | 141.10 | 0.00 |
| Total actual harvest content | 12.21 | 166.10 | 29.31 | 205.18 | 732.09 |

### 05/29/2023: Corn, silage

Crop: Corn, silage  Acres planted: 27  Plant date: 05/29/2023

| Harvest date | Yield | Reporting basis | Density (lbs/cu ft) | Moisture (%) | N (mg/kg) | P (mg/kg) | K (mg/kg) | Salt (mg/kg) | TFS (%) |
|---|---|---|---|---|---|---|---|---|---|
| 09/12/2023 | 538.93 *ton* | As-is | | 64.1 | 4,000.00 | 600.00 | 7,300.00 | | 6.30 |

| | Yield (tons/acre) | Total N (lbs/acre) | Total P (lbs/acre) | Total K (lbs/acre) | Salt (lbs/acre) |
|---|---|---|---|---|---|
| Anticipated harvest content | 25.00 | 287.50 | 55.00 | 165.00 | 0.00 |
| Total actual harvest content | 19.96 | 159.68 | 23.95 | 291.42 | 902.89 |

## Field 5

Field name: Field 5

### 10/14/2022: Wheat, silage, soft dough

Crop: Wheat, silage, soft dough  Acres planted: 47  Plant date: 10/14/2022

| Harvest date | Yield | Reporting basis | Density (lbs/cu ft) | Moisture (%) | N (mg/kg) | P (mg/kg) | K (mg/kg) | Salt (mg/kg) | TFS (%) |
|---|---|---|---|---|---|---|---|---|---|
| 05/22/2023 | 826.04 *ton* | As-is | | 49.1 | 5,900.00 | 1,200.00 | 7,800.00 | | 11.20 |

| | Yield (tons/acre) | Total N (lbs/acre) | Total P (lbs/acre) | Total K (lbs/acre) | Salt (lbs/acre) |
|---|---|---|---|---|---|
| Anticipated harvest content | 17.00 | 295.80 | 51.00 | 141.10 | 0.00 |
| Total actual harvest content | 17.58 | 207.39 | 42.18 | 274.17 | 2,003.87 |

**Annual Report - General Order No. R5-2007-0035**
*Reporting period 01/01/2023 to 12/31/2023.*

## Field 5

### 06/12/2023: Corn, silage

Crop: Corn, silage Acres planted: 47 Plant date: 06/12/2023

| Harvest date | Yield | Reporting basis | Density (lbs/cu ft) | Moisture (%) | N (mg/kg) | P (mg/kg) | K (mg/kg) | Salt (mg/kg) | TFS (%) |
|---|---|---|---|---|---|---|---|---|---|
| 10/09/2023 | 891.17 *ton* | As-is | | 64.0 | 4,400.00 | 700.00 | 7,100.00 | | 5.70 |

| | Yield (tons/acre) | Total N (lbs/acre) | Total P (lbs/acre) | Total K (lbs/acre) | Salt (lbs/acre) |
|---|---|---|---|---|---|
| Anticipated harvest content | 25.00 | 287.50 | 55.00 | 165.00 | 0.00 |
| Total actual harvest content | 18.96 | 166.86 | 26.55 | 269.25 | 778.16 |

## Field 6

Field name: Field 6

### 10/15/2022: Wheat, silage, soft dough

Crop: Wheat, silage, soft dough Acres planted: 35 Plant date: 10/15/2022

| Harvest date | Yield | Reporting basis | Density (lbs/cu ft) | Moisture (%) | N (mg/kg) | P (mg/kg) | K (mg/kg) | Salt (mg/kg) | TFS (%) |
|---|---|---|---|---|---|---|---|---|---|
| 05/23/2023 | 727.40 *ton* | As-is | | 44.9 | 8,800.00 | 1,700.00 | 13,100.00 | | 10.60 |

| | Yield (tons/acre) | Total N (lbs/acre) | Total P (lbs/acre) | Total K (lbs/acre) | Salt (lbs/acre) |
|---|---|---|---|---|---|
| Anticipated harvest content | 17.00 | 295.80 | 51.00 | 141.10 | 0.00 |
| Total actual harvest content | 20.78 | 365.78 | 70.66 | 544.51 | 2,427.69 |

### 07/13/2023: Corn, silage

Crop: Corn, silage Acres planted: 35 Plant date: 07/13/2023

| Harvest date | Yield | Reporting basis | Density (lbs/cu ft) | Moisture (%) | N (mg/kg) | P (mg/kg) | K (mg/kg) | Salt (mg/kg) | TFS (%) |
|---|---|---|---|---|---|---|---|---|---|
| 10/24/2023 | 939.26 *ton* | As-is | | 74.2 | 3,800.00 | 600.00 | 4,900.00 | | 6.60 |

| | Yield (tons/acre) | Total N (lbs/acre) | Total P (lbs/acre) | Total K (lbs/acre) | Salt (lbs/acre) |
|---|---|---|---|---|---|
| Anticipated harvest content | 25.00 | 287.50 | 55.00 | 165.00 | 0.00 |
| Total actual harvest content | 26.84 | 203.95 | 32.20 | 262.99 | 913.93 |

**Annual Report - General Order No. R5-2007-0035**
*Reporting period 01/01/2023 to 12/31/2023.*

## Field 6B

Field name: Field 6B

### 10/15/2022: Wheat, silage, soft dough

Crop: Wheat, silage, soft dough Acres planted: 11 Plant date: 10/15/2022

| Harvest date | Yield | Reporting basis | Density (lbs/cu ft) | Moisture (%) | N (mg/kg) | P (mg/kg) | K (mg/kg) | Salt (mg/kg) | TFS (%) |
|---|---|---|---|---|---|---|---|---|---|
| 05/23/2023 | 235.30 *ton* | As-is | | 44.9 | 8,800.00 | 1,700.00 | 13,100.00 | | 10.60 |

| | Yield (tons/acre) | Total N (lbs/acre) | Total P (lbs/acre) | Total K (lbs/acre) | Salt (lbs/acre) |
|---|---|---|---|---|---|
| Anticipated harvest content | 17.00 | 295.80 | 51.00 | 141.10 | 0.00 |
| Total actual harvest content | 21.39 | 376.48 | 72.73 | 560.44 | 2,498.71 |

### 07/13/2023: Corn, silage

Crop: Corn, silage Acres planted: 11 Plant date: 07/13/2023

| Harvest date | Yield | Reporting basis | Density (lbs/cu ft) | Moisture (%) | N (mg/kg) | P (mg/kg) | K (mg/kg) | Salt (mg/kg) | TFS (%) |
|---|---|---|---|---|---|---|---|---|---|
| 10/24/2023 | 280.56 *ton* | As-is | | 74.2 | 3,800.00 | 600.00 | 4,900.00 | | 6.60 |

| | Yield (tons/acre) | Total N (lbs/acre) | Total P (lbs/acre) | Total K (lbs/acre) | Salt (lbs/acre) |
|---|---|---|---|---|---|
| Anticipated harvest content | 25.00 | 287.50 | 55.00 | 165.00 | 0.00 |
| Total actual harvest content | 25.51 | 193.84 | 30.61 | 249.95 | 868.61 |

## Field 7

Field name: Field 7

### 10/14/2022: Wheat, silage, soft dough

Crop: Wheat, silage, soft dough Acres planted: 49 Plant date: 10/14/2022

| Harvest date | Yield | Reporting basis | Density (lbs/cu ft) | Moisture (%) | N (mg/kg) | P (mg/kg) | K (mg/kg) | Salt (mg/kg) | TFS (%) |
|---|---|---|---|---|---|---|---|---|---|
| 05/22/2023 | 684.60 *ton* | As-is | | 47.7 | 8,200.00 | 1,400.00 | 11,200.00 | | 9.50 |

| | Yield (tons/acre) | Total N (lbs/acre) | Total P (lbs/acre) | Total K (lbs/acre) | Salt (lbs/acre) |
|---|---|---|---|---|---|
| Anticipated harvest content | 17.00 | 295.80 | 51.00 | 141.10 | 0.00 |
| Total actual harvest content | 13.97 | 229.13 | 39.12 | 312.96 | 1,388.34 |

**Annual Report - General Order No. R5-2007-0035**
*Reporting period 01/01/2023 to 12/31/2023.*

## Field 7

### 06/16/2023: Corn, silage

Crop: Corn, silage Acres planted: 49 Plant date: 06/16/2023

| Harvest date | Yield | Reporting basis | Density (lbs/cu ft) | Moisture (%) | N (mg/kg) | P (mg/kg) | K (mg/kg) | Salt (mg/kg) | TFS (%) |
|---|---|---|---|---|---|---|---|---|---|
| 10/17/2023 | 830.21 *ton* | As-is | | 64.9 | 4,100.00 | 900.00 | 5,500.00 | | 5.50 |

| | Yield (tons/acre) | Total N (lbs/acre) | Total P (lbs/acre) | Total K (lbs/acre) | Salt (lbs/acre) |
|---|---|---|---|---|---|
| Anticipated harvest content | 25.00 | 287.50 | 55.00 | 165.00 | 0.00 |
| Total actual harvest content | 16.94 | 138.93 | 30.50 | 186.37 | 654.17 |

## Field 8

Field name: Field 8

### 09/29/2022: Wheat, silage, soft dough

Crop: Wheat, silage, soft dough Acres planted: 63 Plant date: 09/29/2022

| Harvest date | Yield | Reporting basis | Density (lbs/cu ft) | Moisture (%) | N (mg/kg) | P (mg/kg) | K (mg/kg) | Salt (mg/kg) | TFS (%) |
|---|---|---|---|---|---|---|---|---|---|
| 04/25/2023 | 444.39 *ton* | As-is | | 41.5 | 11,100.00 | 1,700.00 | 12,800.00 | | 7.90 |

| | Yield (tons/acre) | Total N (lbs/acre) | Total P (lbs/acre) | Total K (lbs/acre) | Salt (lbs/acre) |
|---|---|---|---|---|---|
| Anticipated harvest content | 17.00 | 295.80 | 51.00 | 141.10 | 0.00 |
| Total actual harvest content | 7.05 | 156.59 | 23.98 | 180.58 | 651.98 |

### 05/23/2023: Corn, silage

Crop: Corn, silage Acres planted: 63 Plant date: 05/23/2023

| Harvest date | Yield | Reporting basis | Density (lbs/cu ft) | Moisture (%) | N (mg/kg) | P (mg/kg) | K (mg/kg) | Salt (mg/kg) | TFS (%) |
|---|---|---|---|---|---|---|---|---|---|
| 09/12/2023 | 1,357.41 *ton* | As-is | | 63.6 | 4,200.00 | 800.00 | 6,400.00 | | 5.40 |

| | Yield (tons/acre) | Total N (lbs/acre) | Total P (lbs/acre) | Total K (lbs/acre) | Salt (lbs/acre) |
|---|---|---|---|---|---|
| Anticipated harvest content | 25.00 | 287.50 | 55.00 | 165.00 | 0.00 |
| Total actual harvest content | 21.55 | 180.99 | 34.47 | 275.79 | 847.02 |

**Annual Report - General Order No. R5-2007-0035**
*Reporting period 01/01/2023 to 12/31/2023.*

## Field 9

Field name: Field 9

### 11/04/2022: Wheat, silage, soft dough

Crop: Wheat, silage, soft dough Acres planted: 37 Plant date: 11/04/2022

| Harvest date | Yield | Reporting basis | Density (lbs/cu ft) | Moisture (%) | N (mg/kg) | P (mg/kg) | K (mg/kg) | Salt (mg/kg) | TFS (%) |
|---|---|---|---|---|---|---|---|---|---|
| 05/22/2023 | 416.63 *ton* | As-is | | 60.7 | 6,000.00 | 1,100.00 | 9,000.00 | | 11.40 |

| | Yield (tons/acre) | Total N (lbs/acre) | Total P (lbs/acre) | Total K (lbs/acre) | Salt (lbs/acre) |
|---|---|---|---|---|---|
| Anticipated harvest content | 17.00 | 295.80 | 51.00 | 141.10 | 0.00 |
| Total actual harvest content | 11.26 | 135.12 | 24.77 | 202.68 | 1,008.97 |

### 06/19/2023: Corn, silage

Crop: Corn, silage Acres planted: 37 Plant date: 06/19/2023

| Harvest date | Yield | Reporting basis | Density (lbs/cu ft) | Moisture (%) | N (mg/kg) | P (mg/kg) | K (mg/kg) | Salt (mg/kg) | TFS (%) |
|---|---|---|---|---|---|---|---|---|---|
| 10/10/2023 | 774.15 *ton* | As-is | | 58.4 | 4,800.00 | 1,000.00 | 4,300.00 | | 5.70 |

| | Yield (tons/acre) | Total N (lbs/acre) | Total P (lbs/acre) | Total K (lbs/acre) | Salt (lbs/acre) |
|---|---|---|---|---|---|
| Anticipated harvest content | 25.00 | 287.50 | 55.00 | 165.00 | 0.00 |
| Total actual harvest content | 20.92 | 200.86 | 41.85 | 179.94 | 992.25 |

**Annual Report - General Order No. R5-2007-0035**
*Reporting period 01/01/2023 to 12/31/2023.*

NUTRIENT BUDGET

## A. LAND APPLICATIONS

### Baxter - 10/16/2022: Wheat, silage, soft dough

Field name: Baxter

Crop: Wheat, silage, soft dough — Plant date: 10/16/2022

| Application date | Application method | Precipitation 24 hours prior | Precipitation during application | Precipitation 24 hours following |
|---|---|---|---|---|
| 09/29/2022 | Broadcast/incorporate | No precipitation | No precipitation | No precipitation |

| Source description | Material type | N (lbs/acre) | P (lbs/acre) | K (lbs/acre) | Salt (lbs/acre) | Amount |
|---|---|---|---|---|---|---|
| Solid Manure | Corral solids | 184.22 | 68.70 | 174.50 | 0.00 | 152.00 *ton* |
| Application event totals | | 184.22 | 68.70 | 174.50 | 0.00 | |

### Field 1 - 11/05/2022: Wheat, silage, soft dough

Field name: Field 1

Crop: Wheat, silage, soft dough — Plant date: 11/05/2022

| Application date | Application method | Precipitation 24 hours prior | Precipitation during application | Precipitation 24 hours following |
|---|---|---|---|---|
| 01/10/2023 | Surface (irrigation) | No precipitation | No precipitation | No precipitation |

| Source description | Material type | N (lbs/acre) | P (lbs/acre) | K (lbs/acre) | Salt (lbs/acre) | Amount |
|---|---|---|---|---|---|---|
| WWS | Process wastewater | 199.56 | 25.44 | 186.09 | 1,147.50 | 3,348,000.00 *gal* |
| MID Canal | Surface water | 0.81 | 0.00 | 0.00 | 64.08 | 10,886,400.00 *gal* |
| Application event totals | | 200.38 | 25.44 | 186.09 | 1,211.58 | |

| Application date | Application method | Precipitation 24 hours prior | Precipitation during application | Precipitation 24 hours following |
|---|---|---|---|---|
| 04/19/2023 | Surface (irrigation) | No precipitation | No precipitation | No precipitation |

| Source description | Material type | N (lbs/acre) | P (lbs/acre) | K (lbs/acre) | Salt (lbs/acre) | Amount |
|---|---|---|---|---|---|---|
| MID Canal | Surface water | 0.89 | 0.00 | 0.00 | 70.41 | 11,961,600.00 *gal* |
| Application event totals | | 0.89 | 0.00 | 0.00 | 70.41 | |

### Field 1 - 06/18/2023: Corn, silage

Field name: Field 1

Crop: Corn, silage — Plant date: 06/18/2023

**Annual Report - General Order No. R5-2007-0035**
*Reporting period 01/01/2023 to 12/31/2023.*

Field 1 - 06/18/2023: Corn, silage

| Application date | Application method | Precipitation 24 hours prior | Precipitation during application | Precipitation 24 hours following |
|---|---|---|---|---|
| 06/01/2023 | Surface (irrigation) | No precipitation | No precipitation | No precipitation |

| Source description | Material type | N (lbs/acre) | P (lbs/acre) | K (lbs/acre) | Salt (lbs/acre) | Amount |
|---|---|---|---|---|---|---|
| WWS | Process wastewater | 82.40 | 14.87 | 141.63 | 753.20 | 8,640,000.00 *gal* |
| MID Canal | Surface water | 1.80 | 0.00 | 0.00 | 142.40 | 24,192,000.00 *gal* |
| Application event totals | | 84.20 | 14.87 | 141.63 | 895.59 | |

| Application date | Application method | Precipitation 24 hours prior | Precipitation during application | Precipitation 24 hours following |
|---|---|---|---|---|
| 07/13/2023 | Surface (irrigation) | No precipitation | No precipitation | No precipitation |

| Source description | Material type | N (lbs/acre) | P (lbs/acre) | K (lbs/acre) | Salt (lbs/acre) | Amount |
|---|---|---|---|---|---|---|
| MID Canal | Surface water | 1.05 | 0.00 | 0.00 | 83.07 | 14,112,000.00 *gal* |
| Application event totals | | 1.05 | 0.00 | 0.00 | 83.07 | |

| Application date | Application method | Precipitation 24 hours prior | Precipitation during application | Precipitation 24 hours following |
|---|---|---|---|---|
| 07/28/2023 | Surface (irrigation) | No precipitation | No precipitation | No precipitation |

| Source description | Material type | N (lbs/acre) | P (lbs/acre) | K (lbs/acre) | Salt (lbs/acre) | Amount |
|---|---|---|---|---|---|---|
| MID Canal | Surface water | 1.20 | 0.00 | 0.00 | 94.93 | 16,128,000.00 *gal* |
| Application event totals | | 1.20 | 0.00 | 0.00 | 94.93 | |

| Application date | Application method | Precipitation 24 hours prior | Precipitation during application | Precipitation 24 hours following |
|---|---|---|---|---|
| 08/14/2023 | Surface (irrigation) | No precipitation | No precipitation | No precipitation |

| Source description | Material type | N (lbs/acre) | P (lbs/acre) | K (lbs/acre) | Salt (lbs/acre) | Amount |
|---|---|---|---|---|---|---|
| WWS | Process wastewater | 183.07 | 45.34 | 270.38 | 1,718.03 | 7,560,000.00 *gal* |
| MID Canal | Surface water | 2.20 | 0.00 | 0.00 | 174.04 | 29,568,000.00 *gal* |
| Application event totals | | 185.27 | 45.34 | 270.38 | 1,892.07 | |

| Application date | Application method | Precipitation 24 hours prior | Precipitation during application | Precipitation 24 hours following |
|---|---|---|---|---|
| 08/30/2023 | Surface (irrigation) | No precipitation | No precipitation | No precipitation |

| Source description | Material type | N (lbs/acre) | P (lbs/acre) | K (lbs/acre) | Salt (lbs/acre) | Amount |
|---|---|---|---|---|---|---|
| MID Canal | Surface water | 1.43 | 0.00 | 0.00 | 113.13 | 19,219,200.00 *gal* |
| Application event totals | | 1.43 | 0.00 | 0.00 | 113.13 | |

| Application date | Application method | Precipitation 24 hours prior | Precipitation during application | Precipitation 24 hours following |
|---|---|---|---|---|
| 09/14/2023 | Surface (irrigation) | No precipitation | No precipitation | No precipitation |

| Source description | Material type | N (lbs/acre) | P (lbs/acre) | K (lbs/acre) | Salt (lbs/acre) | Amount |
|---|---|---|---|---|---|---|
| MID Canal | Surface water | 1.28 | 0.00 | 0.00 | 101.26 | 17,203,200.00 *gal* |
| Application event totals | | 1.28 | 0.00 | 0.00 | 101.26 | |

**Annual Report - General Order No. R5-2007-0035**
*Reporting period 01/01/2023 to 12/31/2023.*

## Field 2 - 10/25/2022: Wheat, silage, soft dough

Field name: Field 2

Crop: Wheat, silage, soft dough

Plant date: 10/25/2022

| Application date | Application method | Precipitation 24 hours prior | Precipitation during application | Precipitation 24 hours following |
|---|---|---|---|---|
| 01/12/2023 | Surface (irrigation) | No precipitation | No precipitation | No precipitation |

| Source description | Material type | N (lbs/acre) | P (lbs/acre) | K (lbs/acre) | Salt (lbs/acre) | Amount |
|---|---|---|---|---|---|---|
| WWS | Process wastewater | 164.13 | 20.93 | 153.05 | 943.76 | 3,024,000.00 *gal* |
| MID Canal | Surface water | 1.12 | 0.00 | 0.00 | 88.60 | 16,531,200.00 *gal* |
| Application event totals | | 165.25 | 20.93 | 153.05 | 1,032.36 | |

| Application date | Application method | Precipitation 24 hours prior | Precipitation during application | Precipitation 24 hours following |
|---|---|---|---|---|
| 04/17/2023 | Surface (irrigation) | No precipitation | No precipitation | No precipitation |

| Source description | Material type | N (lbs/acre) | P (lbs/acre) | K (lbs/acre) | Salt (lbs/acre) | Amount |
|---|---|---|---|---|---|---|
| MID Canal | Surface water | 1.08 | 0.00 | 0.00 | 85.00 | 15,859,200.00 *gal* |
| Application event totals | | 1.08 | 0.00 | 0.00 | 85.00 | |

## Field 2 - 06/26/2023: Corn, silage

Field name: Field 2

Crop: Corn, silage

Plant date: 06/26/2023

| Application date | Application method | Precipitation 24 hours prior | Precipitation during application | Precipitation 24 hours following |
|---|---|---|---|---|
| 05/10/2023 | Broadcast/incorporate | No precipitation | No precipitation | No precipitation |

| Source description | Material type | N (lbs/acre) | P (lbs/acre) | K (lbs/acre) | Salt (lbs/acre) | Amount |
|---|---|---|---|---|---|---|
| Solid Manure | Corral solids | 102.40 | 35.77 | 146.01 | 0.00 | 360.00 *ton* |
| Application event totals | | 102.40 | 35.77 | 146.01 | 0.00 | |

| Application date | Application method | Precipitation 24 hours prior | Precipitation during application | Precipitation 24 hours following |
|---|---|---|---|---|
| 05/14/2023 | Broadcast/incorporate | No precipitation | No precipitation | No precipitation |

| Source description | Material type | N (lbs/acre) | P (lbs/acre) | K (lbs/acre) | Salt (lbs/acre) | Amount |
|---|---|---|---|---|---|---|
| Solid Manure | Separator solids | 96.41 | 18.75 | 21.42 | 0.00 | 1,000.00 *ton* |
| Application event totals | | 96.41 | 18.75 | 21.42 | 0.00 | |

**Annual Report - General Order No. R5-2007-0035**
*Reporting period 01/01/2023 to 12/31/2023.*

## Field 2 - 06/26/2023: Corn, silage

| Application date | Application method | Precipitation 24 hours prior | Precipitation during application | Precipitation 24 hours following |
|---|---|---|---|---|
| 06/09/2023 | Surface (irrigation) | No precipitation | No precipitation | No precipitation |

| Source description | Material type | N (lbs/acre) | P (lbs/acre) | K (lbs/acre) | Salt (lbs/acre) | Amount |
|---|---|---|---|---|---|---|
| MID Canal | Surface water | 1.39 | 0.00 | 0.00 | 109.49 | 20,428,800.00 *gal* |
| Application event totals | | 1.39 | 0.00 | 0.00 | 109.49 | |

| Application date | Application method | Precipitation 24 hours prior | Precipitation during application | Precipitation 24 hours following |
|---|---|---|---|---|
| 07/18/2023 | Surface (irrigation) | No precipitation | No precipitation | No precipitation |

| Source description | Material type | N (lbs/acre) | P (lbs/acre) | K (lbs/acre) | Salt (lbs/acre) | Amount |
|---|---|---|---|---|---|---|
| MID Canal | Surface water | 1.71 | 0.00 | 0.00 | 135.43 | 25,267,200.00 *gal* |
| Application event totals | | 1.71 | 0.00 | 0.00 | 135.43 | |

| Application date | Application method | Precipitation 24 hours prior | Precipitation during application | Precipitation 24 hours following |
|---|---|---|---|---|
| 08/15/2023 | Surface (irrigation) | No precipitation | No precipitation | No precipitation |

| Source description | Material type | N (lbs/acre) | P (lbs/acre) | K (lbs/acre) | Salt (lbs/acre) | Amount |
|---|---|---|---|---|---|---|
| MID Canal | Surface water | 1.73 | 0.00 | 0.00 | 136.87 | 25,536,000.00 *gal* |
| Application event totals | | 1.73 | 0.00 | 0.00 | 136.87 | |

| Application date | Application method | Precipitation 24 hours prior | Precipitation during application | Precipitation 24 hours following |
|---|---|---|---|---|
| 08/27/2023 | Surface (irrigation) | No precipitation | No precipitation | No precipitation |

| Source description | Material type | N (lbs/acre) | P (lbs/acre) | K (lbs/acre) | Salt (lbs/acre) | Amount |
|---|---|---|---|---|---|---|
| MID Canal | Surface water | 1.70 | 0.00 | 0.00 | 133.99 | 24,998,400.00 *gal* |
| Application event totals | | 1.70 | 0.00 | 0.00 | 133.99 | |

| Application date | Application method | Precipitation 24 hours prior | Precipitation during application | Precipitation 24 hours following |
|---|---|---|---|---|
| 09/14/2023 | Surface (irrigation) | No precipitation | No precipitation | No precipitation |

| Source description | Material type | N (lbs/acre) | P (lbs/acre) | K (lbs/acre) | Salt (lbs/acre) | Amount |
|---|---|---|---|---|---|---|
| MID Canal | Surface water | 1.87 | 0.00 | 0.00 | 147.67 | 27,552,000.00 *gal* |
| Application event totals | | 1.87 | 0.00 | 0.00 | 147.67 | |

## Field 3 - 10/01/2022: Wheat, silage, soft dough

Field name: Field 3

Crop: Wheat, silage, soft dough

Plant date: 10/01/2022

| Application date | Application method | Precipitation 24 hours prior | Precipitation during application | Precipitation 24 hours following |
|---|---|---|---|---|

**Annual Report - General Order No. R5-2007-0035**
*Reporting period 01/01/2023 to 12/31/2023.*

## Field 3 - 10/01/2022: Wheat, silage, soft dough

| Application date | Application method | Precipitation 24 hours prior | Precipitation during application | Precipitation 24 hours following |
|---|---|---|---|---|
| 01/18/2023 | Surface (irrigation) | No precipitation | No precipitation | No precipitation |

| Source description | Material type | N (lbs/acre) | P (lbs/acre) | K (lbs/acre) | Salt (lbs/acre) | Amount |
|---|---|---|---|---|---|---|
| WWS | Process wastewater | 238.86 | 30.45 | 222.74 | 1,373.45 | 5,832,000.00 *gal* |
| MID Canal | Surface water | 0.99 | 0.00 | 0.00 | 78.28 | 19,353,600.00 *gal* |
| Application event totals | | 239.85 | 30.45 | 222.74 | 1,451.73 | |

| Application date | Application method | Precipitation 24 hours prior | Precipitation during application | Precipitation 24 hours following |
|---|---|---|---|---|
| 04/19/2023 | Surface (irrigation) | No precipitation | No precipitation | No precipitation |

| Source description | Material type | N (lbs/acre) | P (lbs/acre) | K (lbs/acre) | Salt (lbs/acre) | Amount |
|---|---|---|---|---|---|---|
| WWS | Process wastewater | 111.58 | 27.60 | 164.55 | 1,045.57 | 6,696,000.00 *gal* |
| MID Canal | Surface water | 1.40 | 0.00 | 0.00 | 110.89 | 27,417,600.00 *gal* |
| Application event totals | | 112.99 | 27.60 | 164.55 | 1,156.46 | |

## Field 3 - 07/01/2023: Corn, silage

Field name: Field 3

Crop: Corn, silage

Plant date: 07/01/2023

| Application date | Application method | Precipitation 24 hours prior | Precipitation during application | Precipitation 24 hours following |
|---|---|---|---|---|
| 06/18/2023 | Surface (irrigation) | No precipitation | No precipitation | No precipitation |

| Source description | Material type | N (lbs/acre) | P (lbs/acre) | K (lbs/acre) | Salt (lbs/acre) | Amount |
|---|---|---|---|---|---|---|
| WWS | Process wastewater | 77.14 | 13.92 | 132.59 | 705.14 | 11,772,000.00 *gal* |
| MID Canal | Surface water | 2.54 | 0.00 | 0.00 | 200.58 | 49,593,600.00 *gal* |
| Application event totals | | 79.68 | 13.92 | 132.59 | 905.72 | |

| Application date | Application method | Precipitation 24 hours prior | Precipitation during application | Precipitation 24 hours following |
|---|---|---|---|---|
| 07/28/2023 | Surface (irrigation) | No precipitation | No precipitation | No precipitation |

| Source description | Material type | N (lbs/acre) | P (lbs/acre) | K (lbs/acre) | Salt (lbs/acre) | Amount |
|---|---|---|---|---|---|---|
| MID Canal | Surface water | 1.16 | 0.00 | 0.00 | 91.32 | 22,579,200.00 *gal* |
| Application event totals | | 1.16 | 0.00 | 0.00 | 91.32 | |

**Annual Report - General Order No. R5-2007-0035**
*Reporting period 01/01/2023 to 12/31/2023.*

## Field 3 - 07/01/2023: Corn, silage

| Application date | Application method | Precipitation 24 hours prior | Precipitation during application | Precipitation 24 hours following |
|---|---|---|---|---|
| 08/12/2023 | Surface (irrigation) | No precipitation | No precipitation | No precipitation |

| Source description | Material type | N (lbs/acre) | P (lbs/acre) | K (lbs/acre) | Salt (lbs/acre) | Amount |
|---|---|---|---|---|---|---|
| WWS | Process wastewater | 143.76 | 35.61 | 212.32 | 1,349.13 | 8,640,000.00 *gal* |
| MID Canal | Surface water | 1.31 | 0.00 | 0.00 | 103.28 | 25,536,000.00 *gal* |
| Application event totals | | 145.07 | 35.61 | 212.32 | 1,452.41 | |

| Application date | Application method | Precipitation 24 hours prior | Precipitation during application | Precipitation 24 hours following |
|---|---|---|---|---|
| 08/27/2023 | Surface (irrigation) | No precipitation | No precipitation | No precipitation |

| Source description | Material type | N (lbs/acre) | P (lbs/acre) | K (lbs/acre) | Salt (lbs/acre) | Amount |
|---|---|---|---|---|---|---|
| MID Canal | Surface water | 1.25 | 0.00 | 0.00 | 98.93 | 24,460,800.00 *gal* |
| Application event totals | | 1.25 | 0.00 | 0.00 | 98.93 | |

| Application date | Application method | Precipitation 24 hours prior | Precipitation during application | Precipitation 24 hours following |
|---|---|---|---|---|
| 09/14/2023 | Surface (irrigation) | No precipitation | No precipitation | No precipitation |

| Source description | Material type | N (lbs/acre) | P (lbs/acre) | K (lbs/acre) | Salt (lbs/acre) | Amount |
|---|---|---|---|---|---|---|
| MID Canal | Surface water | 1.72 | 0.00 | 0.00 | 135.90 | 33,600,000.00 *gal* |
| Application event totals | | 1.72 | 0.00 | 0.00 | 135.90 | |

## Field 4 - 09/29/2022: Wheat, silage, soft dough

Field name: Field 4

Crop: Wheat, silage, soft dough

Plant date: 09/29/2022

| Application date | Application method | Precipitation 24 hours prior | Precipitation during application | Precipitation 24 hours following |
|---|---|---|---|---|
| 11/08/2022 | Surface (irrigation) | No precipitation | No precipitation | No precipitation |

| Source description | Material type | N (lbs/acre) | P (lbs/acre) | K (lbs/acre) | Salt (lbs/acre) | Amount |
|---|---|---|---|---|---|---|
| WWS | Process wastewater | 175.71 | 36.64 | 218.24 | 1,285.13 | 1,512,000.00 *gal* |
| Irrigation Wells | Ground water | 1.51 | 0.00 | 0.00 | 392.47 | 4,884,000.00 *gal* |
| Application event totals | | 177.22 | 36.64 | 218.24 | 1,677.60 | |

**Annual Report - General Order No. R5-2007-0035**
*Reporting period 01/01/2023 to 12/31/2023.*

## Field 4 - 09/29/2022: Wheat, silage, soft dough

| Application date | Application method | Precipitation 24 hours prior | Precipitation during application | Precipitation 24 hours following |
|---|---|---|---|---|
| 03/18/2023 | Surface (irrigation) | No precipitation | No precipitation | No precipitation |

| Source description | Material type | N (lbs/acre) | P (lbs/acre) | K (lbs/acre) | Salt (lbs/acre) | Amount |
|---|---|---|---|---|---|---|
| Irrigation Wells | Ground water | 1.61 | 0.00 | 0.00 | 419.23 | 5,217,000.00 *gal* |
| Application event totals | | 1.61 | 0.00 | 0.00 | 419.23 | |

## Field 4 - 05/29/2023: Corn, silage

Field name: Field 4

Crop: Corn, silage

Plant date: 05/29/2023

| Application date | Application method | Precipitation 24 hours prior | Precipitation during application | Precipitation 24 hours following |
|---|---|---|---|---|
| 05/15/2023 | Surface (irrigation) | No precipitation | No precipitation | No precipitation |

| Source description | Material type | N (lbs/acre) | P (lbs/acre) | K (lbs/acre) | Salt (lbs/acre) | Amount |
|---|---|---|---|---|---|---|
| WWS | Process wastewater | 59.82 | 10.80 | 102.81 | 546.76 | 1,512,000.00 *gal* |
| Irrigation Wells | Ground water | 1.61 | 0.00 | 0.00 | 419.23 | 5,217,000.00 *gal* |
| Application event totals | | 61.43 | 10.80 | 102.81 | 966.00 | |

| Application date | Application method | Precipitation 24 hours prior | Precipitation during application | Precipitation 24 hours following |
|---|---|---|---|---|
| 06/28/2023 | Surface (irrigation) | No precipitation | No precipitation | No precipitation |

| Source description | Material type | N (lbs/acre) | P (lbs/acre) | K (lbs/acre) | Salt (lbs/acre) | Amount |
|---|---|---|---|---|---|---|
| Irrigation Wells | Ground water | 1.06 | 0.00 | 0.00 | 276.52 | 3,441,000.00 *gal* |
| Application event totals | | 1.06 | 0.00 | 0.00 | 276.52 | |

| Application date | Application method | Precipitation 24 hours prior | Precipitation during application | Precipitation 24 hours following |
|---|---|---|---|---|
| 07/10/2023 | Surface (irrigation) | No precipitation | No precipitation | No precipitation |

| Source description | Material type | N (lbs/acre) | P (lbs/acre) | K (lbs/acre) | Salt (lbs/acre) | Amount |
|---|---|---|---|---|---|---|
| Irrigation Wells | Ground water | 1.65 | 0.00 | 0.00 | 428.15 | 5,328,000.00 *gal* |
| Application event totals | | 1.65 | 0.00 | 0.00 | 428.15 | |

**Annual Report - General Order No. R5-2007-0035**
*Reporting period 01/01/2023 to 12/31/2023.*

## Field 4 - 05/29/2023: Corn, silage

| Application date | Application method | Precipitation 24 hours prior | Precipitation during application | Precipitation 24 hours following |
|---|---|---|---|---|
| 07/22/2023 | Surface (irrigation) | No precipitation | No precipitation | No precipitation |

| Source description | Material type | N (lbs/acre) | P (lbs/acre) | K (lbs/acre) | Salt (lbs/acre) | Amount |
|---|---|---|---|---|---|---|
| WWS | Process wastewater | 141.03 | 34.93 | 208.29 | 1,323.52 | 1,404,000.00 *gal* |
| Irrigation Wells | Ground water | 1.37 | 0.00 | 0.00 | 356.80 | 4,440,000.00 *gal* |
| Application event totals | | 142.40 | 34.93 | 208.29 | 1,680.31 | |

| Application date | Application method | Precipitation 24 hours prior | Precipitation during application | Precipitation 24 hours following |
|---|---|---|---|---|
| 08/03/2023 | Surface (irrigation) | No precipitation | No precipitation | No precipitation |

| Source description | Material type | N (lbs/acre) | P (lbs/acre) | K (lbs/acre) | Salt (lbs/acre) | Amount |
|---|---|---|---|---|---|---|
| Irrigation Wells | Ground water | 1.30 | 0.00 | 0.00 | 338.96 | 4,218,000.00 *gal* |
| Application event totals | | 1.30 | 0.00 | 0.00 | 338.96 | |

| Application date | Application method | Precipitation 24 hours prior | Precipitation during application | Precipitation 24 hours following |
|---|---|---|---|---|
| 08/15/2023 | Surface (irrigation) | No precipitation | No precipitation | No precipitation |

| Source description | Material type | N (lbs/acre) | P (lbs/acre) | K (lbs/acre) | Salt (lbs/acre) | Amount |
|---|---|---|---|---|---|---|
| Irrigation Wells | Ground water | 1.10 | 0.00 | 0.00 | 285.44 | 3,552,000.00 *gal* |
| Application event totals | | 1.10 | 0.00 | 0.00 | 285.44 | |

| Application date | Application method | Precipitation 24 hours prior | Precipitation during application | Precipitation 24 hours following |
|---|---|---|---|---|
| 08/27/2023 | Surface (irrigation) | No precipitation | No precipitation | No precipitation |

| Source description | Material type | N (lbs/acre) | P (lbs/acre) | K (lbs/acre) | Salt (lbs/acre) | Amount |
|---|---|---|---|---|---|---|
| Irrigation Wells | Ground water | 1.03 | 0.00 | 0.00 | 267.60 | 3,330,000.00 *gal* |
| Application event totals | | 1.03 | 0.00 | 0.00 | 267.60 | |

## Field 5 - 10/14/2022: Wheat, silage, soft dough

Field name: Field 5

Crop: Wheat, silage, soft dough

Plant date: 10/14/2022

| Application date | Application method | Precipitation 24 hours prior | Precipitation during application | Precipitation 24 hours following |
|---|---|---|---|---|

**Annual Report - General Order No. R5-2007-0035**
*Reporting period 01/01/2023 to 12/31/2023.*

## Field 5 - 10/14/2022: Wheat, silage, soft dough

| Application date | Application method | Precipitation 24 hours prior | Precipitation during application | Precipitation 24 hours following |
|---|---|---|---|---|
| 11/22/2022 | Surface (irrigation) | No precipitation | No precipitation | No precipitation |

| Source description | Material type | N (lbs/acre) | P (lbs/acre) | K (lbs/acre) | Salt (lbs/acre) | Amount |
|---|---|---|---|---|---|---|
| WWS | Process wastewater | 201.88 | 42.09 | 250.74 | 1,476.53 | 3,024,000.00 *gal* |
| Irrigation Wells | Ground water | 1.34 | 0.00 | 0.00 | 348.44 | 7,548,000.00 *gal* |
| Application event totals | | 203.22 | 42.09 | 250.74 | 1,824.98 | |

| Application date | Application method | Precipitation 24 hours prior | Precipitation during application | Precipitation 24 hours following |
|---|---|---|---|---|
| 04/18/2023 | Surface (irrigation) | No precipitation | No precipitation | No precipitation |

| Source description | Material type | N (lbs/acre) | P (lbs/acre) | K (lbs/acre) | Salt (lbs/acre) | Amount |
|---|---|---|---|---|---|---|
| Irrigation Wells | Ground water | 1.02 | 0.00 | 0.00 | 266.46 | 5,772,000.00 *gal* |
| Application event totals | | 1.02 | 0.00 | 0.00 | 266.46 | |

## Field 5 - 06/12/2023: Corn, silage

Field name: Field 5

Crop: Corn, silage

Plant date: 06/12/2023

| Application date | Application method | Precipitation 24 hours prior | Precipitation during application | Precipitation 24 hours following |
|---|---|---|---|---|
| 05/16/2023 | Surface (irrigation) | No precipitation | No precipitation | No precipitation |

| Source description | Material type | N (lbs/acre) | P (lbs/acre) | K (lbs/acre) | Salt (lbs/acre) | Amount |
|---|---|---|---|---|---|---|
| WWS | Process wastewater | 73.63 | 13.29 | 126.56 | 673.07 | 3,240,000.00 *gal* |
| Irrigation Wells | Ground water | 0.99 | 0.00 | 0.00 | 256.21 | 5,550,000.00 *gal* |
| Application event totals | | 74.62 | 13.29 | 126.56 | 929.28 | |

| Application date | Application method | Precipitation 24 hours prior | Precipitation during application | Precipitation 24 hours following |
|---|---|---|---|---|
| 05/29/2023 | Surface (irrigation) | No precipitation | No precipitation | No precipitation |

| Source description | Material type | N (lbs/acre) | P (lbs/acre) | K (lbs/acre) | Salt (lbs/acre) | Amount |
|---|---|---|---|---|---|---|
| Irrigation Wells | Ground water | 1.28 | 0.00 | 0.00 | 333.07 | 7,215,000.00 *gal* |
| Application event totals | | 1.28 | 0.00 | 0.00 | 333.07 | |

**Annual Report - General Order No. R5-2007-0035**
*Reporting period 01/01/2023 to 12/31/2023.*

## Field 5 - 06/12/2023: Corn, silage

| Application date | Application method | Precipitation 24 hours prior | Precipitation during application | Precipitation 24 hours following |
|---|---|---|---|---|
| 07/11/2023 | Surface (irrigation) | No precipitation | No precipitation | No precipitation |

| Source description | Material type | N (lbs/acre) | P (lbs/acre) | K (lbs/acre) | Salt (lbs/acre) | Amount |
|---|---|---|---|---|---|---|
| Irrigation Wells | Ground water | 1.20 | 0.00 | 0.00 | 312.58 | 6,771,000.00 *gal* |
| Application event totals | | 1.20 | 0.00 | 0.00 | 312.58 | |

| Application date | Application method | Precipitation 24 hours prior | Precipitation during application | Precipitation 24 hours following |
|---|---|---|---|---|
| 08/05/2023 | Surface (irrigation) | No precipitation | No precipitation | No precipitation |

| Source description | Material type | N (lbs/acre) | P (lbs/acre) | K (lbs/acre) | Salt (lbs/acre) | Amount |
|---|---|---|---|---|---|---|
| WWS | Process wastewater | 130.87 | 32.42 | 193.29 | 1,228.21 | 2,268,000.00 *gal* |
| Irrigation Wells | Ground water | 1.54 | 0.00 | 0.00 | 399.69 | 8,658,000.00 *gal* |
| Application event totals | | 132.41 | 32.42 | 193.29 | 1,627.89 | |

| Application date | Application method | Precipitation 24 hours prior | Precipitation during application | Precipitation 24 hours following |
|---|---|---|---|---|
| 08/23/2023 | Surface (irrigation) | No precipitation | No precipitation | No precipitation |

| Source description | Material type | N (lbs/acre) | P (lbs/acre) | K (lbs/acre) | Salt (lbs/acre) | Amount |
|---|---|---|---|---|---|---|
| Irrigation Wells | Ground water | 1.66 | 0.00 | 0.00 | 430.43 | 9,324,000.00 *gal* |
| Application event totals | | 1.66 | 0.00 | 0.00 | 430.43 | |

| Application date | Application method | Precipitation 24 hours prior | Precipitation during application | Precipitation 24 hours following |
|---|---|---|---|---|
| 09/15/2023 | Surface (irrigation) | No precipitation | No precipitation | No precipitation |

| Source description | Material type | N (lbs/acre) | P (lbs/acre) | K (lbs/acre) | Salt (lbs/acre) | Amount |
|---|---|---|---|---|---|---|
| Irrigation Wells | Ground water | 1.81 | 0.00 | 0.00 | 471.43 | 10,212,000.00 *gal* |
| Application event totals | | 1.81 | 0.00 | 0.00 | 471.43 | |

## Field 6 - 10/15/2022: Wheat, silage, soft dough

Field name: Field 6

Crop: Wheat, silage, soft dough

Plant date: 10/15/2022

| Application date | Application method | Precipitation 24 hours prior | Precipitation during application | Precipitation 24 hours following |
|---|---|---|---|---|

**Annual Report - General Order No. R5-2007-0035**
*Reporting period 01/01/2023 to 12/31/2023.*

## Field 6 - 10/15/2022: Wheat, silage, soft dough

| Application date | Application method | Precipitation 24 hours prior | Precipitation during application | Precipitation 24 hours following |
|---|---|---|---|---|
| 11/10/2022 | Surface (irrigation) | No precipitation | No precipitation | No precipitation |

| Source description | Material type | N (lbs/acre) | P (lbs/acre) | K (lbs/acre) | Salt (lbs/acre) | Amount |
|---|---|---|---|---|---|---|
| WWS | Process wastewater | 193.64 | 40.38 | 240.51 | 1,416.27 | 2,160,000.00 *gal* |
| Irrigation Wells | Ground water | 1.46 | 0.00 | 0.00 | 378.46 | 6,105,000.00 *gal* |
| Application event totals | | 195.10 | 40.38 | 240.51 | 1,794.72 | |

| Application date | Application method | Precipitation 24 hours prior | Precipitation during application | Precipitation 24 hours following |
|---|---|---|---|---|
| 04/28/2023 | Surface (irrigation) | No precipitation | No precipitation | No precipitation |

| Source description | Material type | N (lbs/acre) | P (lbs/acre) | K (lbs/acre) | Salt (lbs/acre) | Amount |
|---|---|---|---|---|---|---|
| WWS | Process wastewater | 150.87 | 37.31 | 222.48 | 1,413.69 | 1,944,000.00 *gal* |
| Irrigation Wells | Ground water | 1.24 | 0.00 | 0.00 | 323.41 | 5,217,000.00 *gal* |
| Application event totals | | 152.11 | 37.31 | 222.48 | 1,737.10 | |

## Field 6 - 07/13/2023: Corn, silage

Field name: Field 6

Crop: Corn, silage

Plant date: 07/13/2023

| Application date | Application method | Precipitation 24 hours prior | Precipitation during application | Precipitation 24 hours following |
|---|---|---|---|---|
| 07/01/2023 | Surface (irrigation) | No precipitation | No precipitation | No precipitation |

| Source description | Material type | N (lbs/acre) | P (lbs/acre) | K (lbs/acre) | Salt (lbs/acre) | Amount |
|---|---|---|---|---|---|---|
| WWS | Process wastewater | 142.27 | 35.24 | 210.12 | 1,335.15 | 1,836,000.00 *gal* |
| Irrigation Wells | Ground water | 1.80 | 0.00 | 0.00 | 467.91 | 7,548,000.00 *gal* |
| Application event totals | | 144.07 | 35.24 | 210.12 | 1,803.06 | |

| Application date | Application method | Precipitation 24 hours prior | Precipitation during application | Precipitation 24 hours following |
|---|---|---|---|---|
| 08/04/2023 | Surface (irrigation) | No precipitation | No precipitation | No precipitation |

| Source description | Material type | N (lbs/acre) | P (lbs/acre) | K (lbs/acre) | Salt (lbs/acre) | Amount |
|---|---|---|---|---|---|---|
| Irrigation Wells | Ground water | 1.72 | 0.00 | 0.00 | 447.27 | 7,215,000.00 *gal* |
| Application event totals | | 1.72 | 0.00 | 0.00 | 447.27 | |

**Annual Report - General Order No. R5-2007-0035**
*Reporting period 01/01/2023 to 12/31/2023.*

## Field 6 - 07/13/2023: Corn, silage

| Application date | Application method | Precipitation 24 hours prior | Precipitation during application | Precipitation 24 hours following |
|---|---|---|---|---|
| 08/19/2023 | Surface (irrigation) | No precipitation | No precipitation | No precipitation |

| Source description | Material type | N (lbs/acre) | P (lbs/acre) | K (lbs/acre) | Salt (lbs/acre) | Amount |
|---|---|---|---|---|---|---|
| Irrigation Wells | Ground water | 1.69 | 0.00 | 0.00 | 440.39 | 7,104,000.00 *gal* |
| Application event totals | | 1.69 | 0.00 | 0.00 | 440.39 | |

| Application date | Application method | Precipitation 24 hours prior | Precipitation during application | Precipitation 24 hours following |
|---|---|---|---|---|
| 08/30/2023 | Surface (irrigation) | No precipitation | No precipitation | No precipitation |

| Source description | Material type | N (lbs/acre) | P (lbs/acre) | K (lbs/acre) | Salt (lbs/acre) | Amount |
|---|---|---|---|---|---|---|
| WWS | Process wastewater | 125.53 | 31.09 | 185.40 | 1,178.08 | 1,620,000.00 *gal* |
| Irrigation Wells | Ground water | 1.35 | 0.00 | 0.00 | 350.93 | 5,661,000.00 *gal* |
| Application event totals | | 126.88 | 31.09 | 185.40 | 1,529.01 | |

| Application date | Application method | Precipitation 24 hours prior | Precipitation during application | Precipitation 24 hours following |
|---|---|---|---|---|
| 09/10/2023 | Surface (irrigation) | No precipitation | No precipitation | No precipitation |

| Source description | Material type | N (lbs/acre) | P (lbs/acre) | K (lbs/acre) | Salt (lbs/acre) | Amount |
|---|---|---|---|---|---|---|
| Irrigation Wells | Ground water | 1.09 | 0.00 | 0.00 | 282.12 | 4,551,000.00 *gal* |
| Application event totals | | 1.09 | 0.00 | 0.00 | 282.12 | |

| Application date | Application method | Precipitation 24 hours prior | Precipitation during application | Precipitation 24 hours following |
|---|---|---|---|---|
| 09/25/2023 | Surface (irrigation) | No precipitation | No precipitation | No precipitation |

| Source description | Material type | N (lbs/acre) | P (lbs/acre) | K (lbs/acre) | Salt (lbs/acre) | Amount |
|---|---|---|---|---|---|---|
| Irrigation Wells | Ground water | 1.48 | 0.00 | 0.00 | 385.34 | 6,216,000.00 *gal* |
| Application event totals | | 1.48 | 0.00 | 0.00 | 385.34 | |

## Field 6B - 10/15/2022: Wheat, silage, soft dough

Field name: Field 6B

Crop: Wheat, silage, soft dough

Plant date: 10/15/2022

| Application date | Application method | Precipitation 24 hours prior | Precipitation during application | Precipitation 24 hours following |
|---|---|---|---|---|

**Annual Report - General Order No. R5-2007-0035**
*Reporting period 01/01/2023 to 12/31/2023.*

## Field 6B - 10/15/2022: Wheat, silage, soft dough

| Application date | Application method | Precipitation 24 hours prior | Precipitation during application | Precipitation 24 hours following |
|---|---|---|---|---|
| 11/13/2022 | Surface (irrigation) | No precipitation | No precipitation | No precipitation |

| Source description | Material type | N (lbs/acre) | P (lbs/acre) | K (lbs/acre) | Salt (lbs/acre) | Amount |
|---|---|---|---|---|---|---|
| WWS | Process wastewater | 215.65 | 44.96 | 267.84 | 1,577.21 | 756,000.00 *gal* |
| Irrigation Wells | Ground water | 1.85 | 0.00 | 0.00 | 481.67 | 2,442,000.00 *gal* |
| Application event totals | | 217.50 | 44.96 | 267.84 | 2,058.88 | |

| Application date | Application method | Precipitation 24 hours prior | Precipitation during application | Precipitation 24 hours following |
|---|---|---|---|---|
| 05/01/2023 | Surface (irrigation) | No precipitation | No precipitation | No precipitation |

| Source description | Material type | N (lbs/acre) | P (lbs/acre) | K (lbs/acre) | Salt (lbs/acre) | Amount |
|---|---|---|---|---|---|---|
| WWS | Process wastewater | 160.01 | 39.57 | 235.97 | 1,499.37 | 648,000.00 *gal* |
| Irrigation Wells | Ground water | 1.43 | 0.00 | 0.00 | 372.20 | 1,887,000.00 *gal* |
| Application event totals | | 161.45 | 39.57 | 235.97 | 1,871.57 | |

## Field 6B - 07/13/2023: Corn, silage

Field name: Field 6B

Crop: Corn, silage

Plant date: 07/13/2023

| Application date | Application method | Precipitation 24 hours prior | Precipitation during application | Precipitation 24 hours following |
|---|---|---|---|---|
| 06/28/2023 | Surface (irrigation) | No precipitation | No precipitation | No precipitation |

| Source description | Material type | N (lbs/acre) | P (lbs/acre) | K (lbs/acre) | Salt (lbs/acre) | Amount |
|---|---|---|---|---|---|---|
| WWS | Process wastewater | 52.44 | 9.46 | 90.13 | 479.31 | 540,000.00 *gal* |
| Irrigation Wells | Ground water | 2.27 | 0.00 | 0.00 | 591.14 | 2,997,000.00 *gal* |
| Application event totals | | 54.71 | 9.46 | 90.13 | 1,070.45 | |

| Application date | Application method | Precipitation 24 hours prior | Precipitation during application | Precipitation 24 hours following |
|---|---|---|---|---|
| 08/01/2023 | Surface (irrigation) | No precipitation | No precipitation | No precipitation |

| Source description | Material type | N (lbs/acre) | P (lbs/acre) | K (lbs/acre) | Salt (lbs/acre) | Amount |
|---|---|---|---|---|---|---|
| Irrigation Wells | Ground water | 1.52 | 0.00 | 0.00 | 394.10 | 1,998,000.00 *gal* |
| Application event totals | | 1.52 | 0.00 | 0.00 | 394.10 | |

**Annual Report - General Order No. R5-2007-0035**
*Reporting period 01/01/2023 to 12/31/2023.*

## Field 6B - 07/13/2023: Corn, silage

| Application date | Application method | Precipitation 24 hours prior | Precipitation during application | Precipitation 24 hours following |
|---|---|---|---|---|
| 08/17/2023 | Surface (irrigation) | No precipitation | No precipitation | No precipitation |

| Source description | Material type | N (lbs/acre) | P (lbs/acre) | K (lbs/acre) | Salt (lbs/acre) | Amount |
|---|---|---|---|---|---|---|
| Irrigation Wells | Ground water | 1.26 | 0.00 | 0.00 | 328.41 | 1,665,000.00 *gal* |
| Application event totals | | 1.26 | 0.00 | 0.00 | 328.41 | |

| Application date | Application method | Precipitation 24 hours prior | Precipitation during application | Precipitation 24 hours following |
|---|---|---|---|---|
| 08/28/2023 | Surface (irrigation) | No precipitation | No precipitation | No precipitation |

| Source description | Material type | N (lbs/acre) | P (lbs/acre) | K (lbs/acre) | Salt (lbs/acre) | Amount |
|---|---|---|---|---|---|---|
| Irrigation Wells | Ground water | 0.93 | 0.00 | 0.00 | 240.84 | 1,221,000.00 *gal* |
| Application event totals | | 0.93 | 0.00 | 0.00 | 240.84 | |

| Application date | Application method | Precipitation 24 hours prior | Precipitation during application | Precipitation 24 hours following |
|---|---|---|---|---|
| 09/07/2023 | Surface (irrigation) | No precipitation | No precipitation | No precipitation |

| Source description | Material type | N (lbs/acre) | P (lbs/acre) | K (lbs/acre) | Salt (lbs/acre) | Amount |
|---|---|---|---|---|---|---|
| WWS | Process wastewater | 186.40 | 46.17 | 275.29 | 1,749.26 | 756,000.00 *gal* |
| Irrigation Wells | Ground water | 1.01 | 0.00 | 0.00 | 262.73 | 1,332,000.00 *gal* |
| Application event totals | | 187.41 | 46.17 | 275.29 | 2,011.99 | |

| Application date | Application method | Precipitation 24 hours prior | Precipitation during application | Precipitation 24 hours following |
|---|---|---|---|---|
| 09/19/2023 | Surface (irrigation) | No precipitation | No precipitation | No precipitation |

| Source description | Material type | N (lbs/acre) | P (lbs/acre) | K (lbs/acre) | Salt (lbs/acre) | Amount |
|---|---|---|---|---|---|---|
| Irrigation Wells | Ground water | 1.18 | 0.00 | 0.00 | 306.52 | 1,554,000.00 *gal* |
| Application event totals | | 1.18 | 0.00 | 0.00 | 306.52 | |

| Application date | Application method | Precipitation 24 hours prior | Precipitation during application | Precipitation 24 hours following |
|---|---|---|---|---|
| 10/01/2023 | Surface (irrigation) | No precipitation | No precipitation | No precipitation |

| Source description | Material type | N (lbs/acre) | P (lbs/acre) | K (lbs/acre) | Salt (lbs/acre) | Amount |
|---|---|---|---|---|---|---|
| Irrigation Wells | Ground water | 0.84 | 0.00 | 0.00 | 218.94 | 1,110,000.00 *gal* |
| Application event totals | | 0.84 | 0.00 | 0.00 | 218.94 | |

## Field 7 - 10/14/2022: Wheat, silage, soft dough

Field name: Field 7

Crop: Wheat, silage, soft dough

Plant date: 10/14/2022

| Application date | Application method | Precipitation 24 hours prior | Precipitation during application | Precipitation 24 hours following |
|---|---|---|---|---|

**Annual Report - General Order No. R5-2007-0035**
*Reporting period 01/01/2023 to 12/31/2023.*

## Field 7 - 10/14/2022: Wheat, silage, soft dough

| Application date | Application method | Precipitation 24 hours prior | Precipitation during application | Precipitation 24 hours following |
|---|---|---|---|---|
| 10/18/2022 | Broadcast/incorporate | No precipitation | No precipitation | No precipitation |

| Source description | Material type | N (lbs/acre) | P (lbs/acre) | K (lbs/acre) | Salt (lbs/acre) | Amount |
|---|---|---|---|---|---|---|
| Solid Manure | Separator solids | 148.29 | 32.70 | 24.64 | 0.00 | 560.00 *ton* |
| Application event totals | | 148.29 | 32.70 | 24.64 | 0.00 | |

| | | | | |
|---|---|---|---|---|
| 04/16/2023 | Surface (irrigation) | No precipitation | No precipitation | No precipitation |

| Source description | Material type | N (lbs/acre) | P (lbs/acre) | K (lbs/acre) | Salt (lbs/acre) | Amount |
|---|---|---|---|---|---|---|
| WWS | Process wastewater | 141.26 | 25.49 | 242.79 | 1,291.19 | 6,480,000.00 *gal* |
| Irrigation Wells | Ground water | 2.65 | 0.00 | 0.00 | 688.10 | 15,540,000.00 *gal* |
| Application event totals | | 143.91 | 25.49 | 242.79 | 1,979.30 | |

## Field 7 - 06/16/2023: Corn, silage

Field name: Field 7

Crop: Corn, silage

Plant date: 06/16/2023

| Application date | Application method | Precipitation 24 hours prior | Precipitation during application | Precipitation 24 hours following |
|---|---|---|---|---|
| 05/26/2023 | Broadcast/incorporate | No precipitation | No precipitation | No precipitation |

| Source description | Material type | N (lbs/acre) | P (lbs/acre) | K (lbs/acre) | Salt (lbs/acre) | Amount |
|---|---|---|---|---|---|---|
| Solid Manure | Separator solids | 179.09 | 34.82 | 39.80 | 0.00 | 740.00 *ton* |
| Application event totals | | 179.09 | 34.82 | 39.80 | 0.00 | |

| | | | | |
|---|---|---|---|---|
| 06/05/2023 | Surface (irrigation) | No precipitation | No precipitation | No precipitation |

| Source description | Material type | N (lbs/acre) | P (lbs/acre) | K (lbs/acre) | Salt (lbs/acre) | Amount |
|---|---|---|---|---|---|---|
| Irrigation Wells | Ground water | 1.53 | 0.00 | 0.00 | 398.12 | 8,991,000.00 *gal* |
| Application event totals | | 1.53 | 0.00 | 0.00 | 398.12 | |

| | | | | |
|---|---|---|---|---|
| 07/13/2023 | Surface (irrigation) | No precipitation | No precipitation | No precipitation |

| Source description | Material type | N (lbs/acre) | P (lbs/acre) | K (lbs/acre) | Salt (lbs/acre) | Amount |
|---|---|---|---|---|---|---|
| Irrigation Wells | Ground water | 1.61 | 0.00 | 0.00 | 417.78 | 9,435,000.00 *gal* |
| Application event totals | | 1.61 | 0.00 | 0.00 | 417.78 | |

**Annual Report - General Order No. R5-2007-0035**
*Reporting period 01/01/2023 to 12/31/2023.*

## Field 7 - 06/16/2023: Corn, silage

| Application date | Application method | Precipitation 24 hours prior | Precipitation during application | Precipitation 24 hours following |
|---|---|---|---|---|
| 07/25/2023 | Surface (irrigation) | No precipitation | No precipitation | No precipitation |

| Source description | Material type | N (lbs/acre) | P (lbs/acre) | K (lbs/acre) | Salt (lbs/acre) | Amount |
|---|---|---|---|---|---|---|
| Irrigation Wells | Ground water | 1.51 | 0.00 | 0.00 | 393.20 | 8,880,000.00 *gal* |
| Application event totals | | 1.51 | 0.00 | 0.00 | 393.20 | |

| Application date | Application method | Precipitation 24 hours prior | Precipitation during application | Precipitation 24 hours following |
|---|---|---|---|---|
| 08/10/2023 | Surface (irrigation) | No precipitation | No precipitation | No precipitation |

| Source description | Material type | N (lbs/acre) | P (lbs/acre) | K (lbs/acre) | Salt (lbs/acre) | Amount |
|---|---|---|---|---|---|---|
| Irrigation Wells | Ground water | 1.21 | 0.00 | 0.00 | 314.56 | 7,104,000.00 *gal* |
| Application event totals | | 1.21 | 0.00 | 0.00 | 314.56 | |

| Application date | Application method | Precipitation 24 hours prior | Precipitation during application | Precipitation 24 hours following |
|---|---|---|---|---|
| 08/30/2023 | Surface (irrigation) | No precipitation | No precipitation | No precipitation |

| Source description | Material type | N (lbs/acre) | P (lbs/acre) | K (lbs/acre) | Salt (lbs/acre) | Amount |
|---|---|---|---|---|---|---|
| Irrigation Wells | Ground water | 1.34 | 0.00 | 0.00 | 348.97 | 7,881,000.00 *gal* |
| Application event totals | | 1.34 | 0.00 | 0.00 | 348.97 | |

| Application date | Application method | Precipitation 24 hours prior | Precipitation during application | Precipitation 24 hours following |
|---|---|---|---|---|
| 09/21/2023 | Surface (irrigation) | No precipitation | No precipitation | No precipitation |

| Source description | Material type | N (lbs/acre) | P (lbs/acre) | K (lbs/acre) | Salt (lbs/acre) | Amount |
|---|---|---|---|---|---|---|
| Irrigation Wells | Ground water | 1.29 | 0.00 | 0.00 | 334.22 | 7,548,000.00 *gal* |
| Application event totals | | 1.29 | 0.00 | 0.00 | 334.22 | |

## Field 8 - 09/29/2022: Wheat, silage, soft dough

Field name: Field 8

Crop: Wheat, silage, soft dough

Plant date: 09/29/2022

| Application date | Application method | Precipitation 24 hours prior | Precipitation during application | Precipitation 24 hours following |
|---|---|---|---|---|
| 11/08/2022 | Surface (irrigation) | No precipitation | No precipitation | No precipitation |

| Source description | Material type | N (lbs/acre) | P (lbs/acre) | K (lbs/acre) | Salt (lbs/acre) | Amount |
|---|---|---|---|---|---|---|
| WWS | Process wastewater | 188.26 | 39.25 | 233.83 | 1,376.93 | 3,780,000.00 *gal* |
| Irrigation Wells | Ground water | 9.00 | 0.00 | 0.00 | 305.98 | 9,240,000.00 *gal* |
| Application event totals | | 197.26 | 39.25 | 233.83 | 1,682.91 | |

**Annual Report - General Order No. R5-2007-0035**
*Reporting period 01/01/2023 to 12/31/2023.*

## Field 8 - 09/29/2022: Wheat, silage, soft dough

| Application date | Application method | Precipitation 24 hours prior | Precipitation during application | Precipitation 24 hours following |
|---|---|---|---|---|
| 03/01/2023 | Surface (irrigation) | No precipitation | No precipitation | No precipitation |

| Source description | Material type | N (lbs/acre) | P (lbs/acre) | K (lbs/acre) | Salt (lbs/acre) | Amount |
|---|---|---|---|---|---|---|
| Irrigation Wells | Ground water | 7.85 | 0.00 | 0.00 | 267.04 | 8,064,000.00 *gal* |
| Application event totals | | 7.85 | 0.00 | 0.00 | 267.04 | |

## Field 8 - 05/23/2023: Corn, silage

Field name: Field 8

Crop: Corn, silage

Plant date: 05/23/2023

| Application date | Application method | Precipitation 24 hours prior | Precipitation during application | Precipitation 24 hours following |
|---|---|---|---|---|
| 05/08/2023 | Surface (irrigation) | No precipitation | No precipitation | No precipitation |

| Source description | Material type | N (lbs/acre) | P (lbs/acre) | K (lbs/acre) | Salt (lbs/acre) | Amount |
|---|---|---|---|---|---|---|
| WWS | Process wastewater | 75.08 | 13.55 | 129.04 | 686.25 | 4,428,000.00 *gal* |
| Irrigation Wells | Ground water | 9.98 | 0.00 | 0.00 | 339.36 | 10,248,000.00 *gal* |
| Application event totals | | 85.05 | 13.55 | 129.04 | 1,025.61 | |

| Application date | Application method | Precipitation 24 hours prior | Precipitation during application | Precipitation 24 hours following |
|---|---|---|---|---|
| 06/20/2023 | Surface (irrigation) | No precipitation | No precipitation | No precipitation |

| Source description | Material type | N (lbs/acre) | P (lbs/acre) | K (lbs/acre) | Salt (lbs/acre) | Amount |
|---|---|---|---|---|---|---|
| Irrigation Wells | Ground water | 7.52 | 0.00 | 0.00 | 255.91 | 7,728,000.00 *gal* |
| Application event totals | | 7.52 | 0.00 | 0.00 | 255.91 | |

| Application date | Application method | Precipitation 24 hours prior | Precipitation during application | Precipitation 24 hours following |
|---|---|---|---|---|
| 07/01/2023 | Surface (irrigation) | No precipitation | No precipitation | No precipitation |

| Source description | Material type | N (lbs/acre) | P (lbs/acre) | K (lbs/acre) | Salt (lbs/acre) | Amount |
|---|---|---|---|---|---|---|
| Irrigation Wells | Ground water | 8.67 | 0.00 | 0.00 | 294.86 | 8,904,000.00 *gal* |
| Application event totals | | 8.67 | 0.00 | 0.00 | 294.86 | |

| Application date | Application method | Precipitation 24 hours prior | Precipitation during application | Precipitation 24 hours following |
|---|---|---|---|---|
| 07/22/2023 | Surface (irrigation) | No precipitation | No precipitation | No precipitation |

| Source description | Material type | N (lbs/acre) | P (lbs/acre) | K (lbs/acre) | Salt (lbs/acre) | Amount |
|---|---|---|---|---|---|---|
| Irrigation Wells | Ground water | 8.83 | 0.00 | 0.00 | 300.42 | 9,072,000.00 *gal* |
| Application event totals | | 8.83 | 0.00 | 0.00 | 300.42 | |

**Annual Report - General Order No. R5-2007-0035**
*Reporting period 01/01/2023 to 12/31/2023.*

## Field 8 - 05/23/2023: Corn, silage

| Application date | Application method | Precipitation 24 hours prior | Precipitation during application | Precipitation 24 hours following |
|---|---|---|---|---|
| 08/02/2023 | Surface (irrigation) | No precipitation | No precipitation | No precipitation |

| Source description | Material type | N (lbs/acre) | P (lbs/acre) | K (lbs/acre) | Salt (lbs/acre) | Amount |
|---|---|---|---|---|---|---|
| WWS | Process wastewater | 102.29 | 25.34 | 151.07 | 959.91 | 2,376,000.00 *gal* |
| Irrigation Wells | Ground water | 10.14 | 0.00 | 0.00 | 344.93 | 10,416,000.00 *gal* |
| Application event totals | | 112.43 | 25.34 | 151.07 | 1,304.84 | |

| Application date | Application method | Precipitation 24 hours prior | Precipitation during application | Precipitation 24 hours following |
|---|---|---|---|---|
| 08/15/2023 | Surface (irrigation) | No precipitation | No precipitation | No precipitation |

| Source description | Material type | N (lbs/acre) | P (lbs/acre) | K (lbs/acre) | Salt (lbs/acre) | Amount |
|---|---|---|---|---|---|---|
| Irrigation Wells | Ground water | 11.12 | 0.00 | 0.00 | 378.31 | 11,424,000.00 *gal* |
| Application event totals | | 11.12 | 0.00 | 0.00 | 378.31 | |

| Application date | Application method | Precipitation 24 hours prior | Precipitation during application | Precipitation 24 hours following |
|---|---|---|---|---|
| 08/27/2023 | Surface (irrigation) | No precipitation | No precipitation | No precipitation |

| Source description | Material type | N (lbs/acre) | P (lbs/acre) | K (lbs/acre) | Salt (lbs/acre) | Amount |
|---|---|---|---|---|---|---|
| Irrigation Wells | Ground water | 9.81 | 0.00 | 0.00 | 333.80 | 10,080,000.00 *gal* |
| Application event totals | | 9.81 | 0.00 | 0.00 | 333.80 | |

## Field 9 - 11/04/2022: Wheat, silage, soft dough

Field name: Field 9

Crop: Wheat, silage, soft dough

Plant date: 11/04/2022

| Application date | Application method | Precipitation 24 hours prior | Precipitation during application | Precipitation 24 hours following |
|---|---|---|---|---|
| 10/16/2022 | Broadcast/incorporate | No precipitation | No precipitation | No precipitation |

| Source description | Material type | N (lbs/acre) | P (lbs/acre) | K (lbs/acre) | Salt (lbs/acre) | Amount |
|---|---|---|---|---|---|---|
| Solid Manure | Separator solids | 147.29 | 32.48 | 24.47 | 0.00 | 420.00 *ton* |
| Application event totals | | 147.29 | 32.48 | 24.47 | 0.00 | |

| Application date | Application method | Precipitation 24 hours prior | Precipitation during application | Precipitation 24 hours following |
|---|---|---|---|---|
| 11/28/2022 | Surface (irrigation) | No precipitation | No precipitation | No precipitation |

| Source description | Material type | N (lbs/acre) | P (lbs/acre) | K (lbs/acre) | Salt (lbs/acre) | Amount |
|---|---|---|---|---|---|---|
| Irrigation Wells | Ground water | 7.80 | 0.00 | 0.00 | 265.24 | 4,704,000.00 *gal* |
| Application event totals | | 7.80 | 0.00 | 0.00 | 265.24 | |

**Annual Report - General Order No. R5-2007-0035**
*Reporting period 01/01/2023 to 12/31/2023.*

## Field 9 - 11/04/2022: Wheat, silage, soft dough

| Application date | Application method | Precipitation 24 hours prior | Precipitation during application | Precipitation 24 hours following |
|---|---|---|---|---|
| 04/14/2023 | Surface (irrigation) | No precipitation | No precipitation | No precipitation |

| Source description | Material type | N (lbs/acre) | P (lbs/acre) | K (lbs/acre) | Salt (lbs/acre) | Amount |
|---|---|---|---|---|---|---|
| Irrigation Wells | Ground water | 6.68 | 0.00 | 0.00 | 227.34 | 4,032,000.00 *gal* |
| Application event totals | | 6.68 | 0.00 | 0.00 | 227.34 | |

## Field 9 - 06/19/2023: Corn, silage

Field name: Field 9

Crop: Corn, silage

Plant date: 06/19/2023

| Application date | Application method | Precipitation 24 hours prior | Precipitation during application | Precipitation 24 hours following |
|---|---|---|---|---|
| 05/27/2023 | Broadcast/incorporate | No precipitation | No precipitation | No precipitation |

| Source description | Material type | N (lbs/acre) | P (lbs/acre) | K (lbs/acre) | Salt (lbs/acre) | Amount |
|---|---|---|---|---|---|---|
| Solid Manure | Separator solids | 208.32 | 40.51 | 46.29 | 0.00 | 650.00 *ton* |
| Application event totals | | 208.32 | 40.51 | 46.29 | 0.00 | |

| | | | | |
|---|---|---|---|---|
| 06/07/2023 | Surface (irrigation) | No precipitation | No precipitation | No precipitation |

| Source description | Material type | N (lbs/acre) | P (lbs/acre) | K (lbs/acre) | Salt (lbs/acre) | Amount |
|---|---|---|---|---|---|---|
| Irrigation Wells | Ground water | 10.03 | 0.00 | 0.00 | 341.02 | 6,048,000.00 *gal* |
| Application event totals | | 10.03 | 0.00 | 0.00 | 341.02 | |

| | | | | |
|---|---|---|---|---|
| 07/14/2023 | Surface (irrigation) | No precipitation | No precipitation | No precipitation |

| Source description | Material type | N (lbs/acre) | P (lbs/acre) | K (lbs/acre) | Salt (lbs/acre) | Amount |
|---|---|---|---|---|---|---|
| Irrigation Wells | Ground water | 7.80 | 0.00 | 0.00 | 265.24 | 4,704,000.00 *gal* |
| Application event totals | | 7.80 | 0.00 | 0.00 | 265.24 | |

| | | | | |
|---|---|---|---|---|
| 07/26/2023 | Surface (irrigation) | No precipitation | No precipitation | No precipitation |

| Source description | Material type | N (lbs/acre) | P (lbs/acre) | K (lbs/acre) | Salt (lbs/acre) | Amount |
|---|---|---|---|---|---|---|
| Irrigation Wells | Ground water | 6.96 | 0.00 | 0.00 | 236.82 | 4,200,000.00 *gal* |
| Application event totals | | 6.96 | 0.00 | 0.00 | 236.82 | |

**Annual Report - General Order No. R5-2007-0035**
*Reporting period 01/01/2023 to 12/31/2023.*

Field 9 - 06/19/2023: Corn, silage

| Application date | Application method | Precipitation 24 hours prior | Precipitation during application | Precipitation 24 hours following |
|---|---|---|---|---|
| 08/11/2023 | Surface (irrigation) | No precipitation | No precipitation | No precipitation |

| Source description | Material type | N (lbs/acre) | P (lbs/acre) | K (lbs/acre) | Salt (lbs/acre) | Amount |
|---|---|---|---|---|---|---|
| Irrigation Wells | Ground water | 8.35 | 0.00 | 0.00 | 284.18 | 5,040,000.00 *gal* |
| Application event totals | | 8.35 | 0.00 | 0.00 | 284.18 | |

| Application date | Application method | Precipitation 24 hours prior | Precipitation during application | Precipitation 24 hours following |
|---|---|---|---|---|
| 08/23/2023 | Surface (irrigation) | No precipitation | No precipitation | No precipitation |

| Source description | Material type | N (lbs/acre) | P (lbs/acre) | K (lbs/acre) | Salt (lbs/acre) | Amount |
|---|---|---|---|---|---|---|
| Irrigation Wells | Ground water | 6.68 | 0.00 | 0.00 | 227.34 | 4,032,000.00 *gal* |
| Application event totals | | 6.68 | 0.00 | 0.00 | 227.34 | |

| Application date | Application method | Precipitation 24 hours prior | Precipitation during application | Precipitation 24 hours following |
|---|---|---|---|---|
| 09/05/2023 | Surface (irrigation) | No precipitation | No precipitation | No precipitation |

| Source description | Material type | N (lbs/acre) | P (lbs/acre) | K (lbs/acre) | Salt (lbs/acre) | Amount |
|---|---|---|---|---|---|---|
| Irrigation Wells | Ground water | 8.63 | 0.00 | 0.00 | 293.65 | 5,208,000.00 *gal* |
| Application event totals | | 8.63 | 0.00 | 0.00 | 293.65 | |

| Application date | Application method | Precipitation 24 hours prior | Precipitation during application | Precipitation 24 hours following |
|---|---|---|---|---|
| 09/14/2023 | Surface (irrigation) | No precipitation | No precipitation | No precipitation |

| Source description | Material type | N (lbs/acre) | P (lbs/acre) | K (lbs/acre) | Salt (lbs/acre) | Amount |
|---|---|---|---|---|---|---|
| Irrigation Wells | Ground water | 11.14 | 0.00 | 0.00 | 378.91 | 6,720,000.00 *gal* |
| Application event totals | | 11.14 | 0.00 | 0.00 | 378.91 | |

**Annual Report - General Order No. R5-2007-0035**
*Reporting period 01/01/2023 to 12/31/2023.*

## B. NUTRIENT BUDGET

Baxter - 10/16/2022: Wheat, silage, soft dough

Field name: Baxter | Crop: Wheat, silage, soft dough | Plant date: 10/16/2022

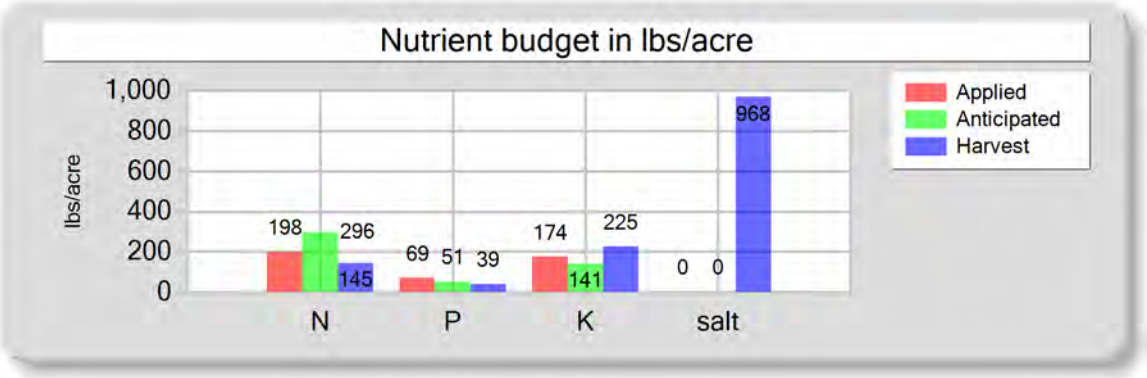


| | Total N (lbs/acre) | Total P (lbs/acre) | Total K (lbs/acre) | Total salt (lbs/acre) |
|---|---|---|---|---|
| Existing soil nutrient content | 0.00 | 0.00 | 0.00 | 0.00 |
| Plowdown credit | 0.00 | 0.00 | 0.00 | 0.00 |
| Commercial fertilizer / Other | 0.00 | 0.00 | 0.00 | 0.00 |
| Dry manure | 184.22 | 68.70 | 174.50 | 0.00 |
| Process wastewater | 0.00 | 0.00 | 0.00 | 0.00 |
| Fresh water | 0.00 | 0.00 | 0.00 | 0.00 |
| Atmospheric deposition | 14.00 | 0.00 | 0.00 | 0.00 |
| Total nutrients applied | 198.22 | 68.70 | 174.50 | 0.00 |
| Anticipated crop nutrient removal | 295.80 | 51.00 | 141.10 | 0.00 |
| Actual crop nutrient removal | 145.07 | 38.68 | 224.85 | 967.59 |
| Nutrient balance | 53.16 | 30.02 | -50.36 | -967.59 |
| Applied to removed ratio | 1.37 | 1.78 | 0.78 | 0.00 |

| Fresh water applied |
|---|
| 0.00 *gallons* |
| 0.00 *acre-inches* |
| 0.00 *inches/acre* |

| Process wastewater applied |
|---|
| 0.00 *gallons* |
| 0.00 *acre-inches* |
| 0.00 *inches/acre* |

| Total harvests for the crop |
|---|
| 1 *harvests* |

**Annual Report - General Order No. R5-2007-0035**
*Reporting period 01/01/2023 to 12/31/2023.*

## Field 1 - 11/05/2022: Wheat, silage, soft dough

Field name: Field 1 Crop: Wheat, silage, soft dough Plant date: 11/05/2022

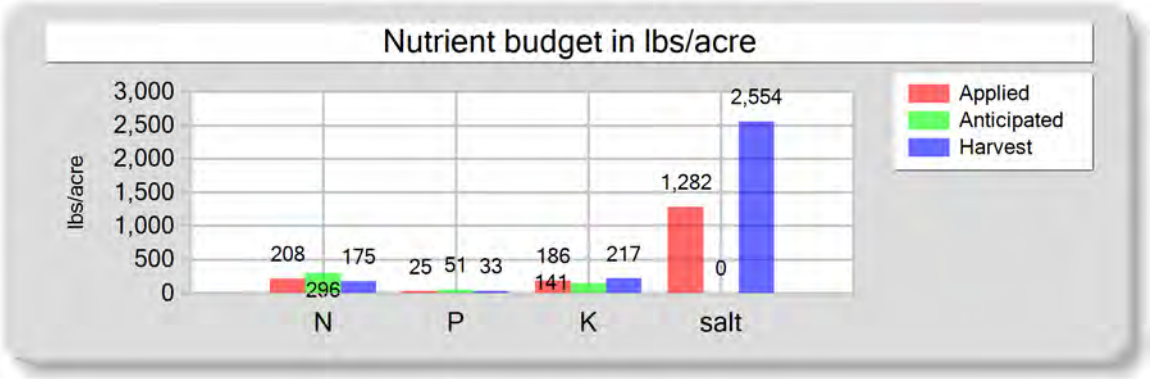


| | Total N (lbs/acre) | Total P (lbs/acre) | Total K (lbs/acre) | Total salt (lbs/acre) |
|---|---|---|---|---|
| Existing soil nutrient content | 0.00 | 0.00 | 0.00 | 0.00 |
| Plowdown credit | 0.00 | 0.00 | 0.00 | 0.00 |
| Commercial fertilizer / Other | 0.00 | 0.00 | 0.00 | 0.00 |
| Dry manure | 0.00 | 0.00 | 0.00 | 0.00 |
| Process wastewater | 199.56 | 25.44 | 186.09 | 1,147.50 |
| Fresh water | 1.70 | 0.00 | 0.00 | 134.49 |
| Atmospheric deposition | 7.00 | 0.00 | 0.00 | 0.00 |
| Total nutrients applied | 208.27 | 25.44 | 186.09 | 1,281.99 |
| Anticipated crop nutrient removal | 295.80 | 51.00 | 141.10 | 0.00 |
| Actual crop nutrient removal | 175.11 | 33.21 | 217.37 | 2,553.65 |
| Nutrient balance | 33.16 | -7.77 | -31.28 | -1,271.67 |
| Applied to removed ratio | 1.19 | 0.77 | 0.86 | 0.50 |

| Fresh water applied | |
|---|---|
| 22,848,000.00 | *gallons* |
| 841.41 | *acre-inches* |
| 7.51 | *inches/acre* |

| Process wastewater applied | |
|---|---|
| 3,348,000.00 | *gallons* |
| 123.30 | *acre-inches* |
| 1.10 | *inches/acre* |

| Total harvests for the crop | |
|---|---|
| 1 | *harvests* |

**Annual Report - General Order No. R5-2007-0035**
*Reporting period 01/01/2023 to 12/31/2023.*

## Field 1 - 06/18/2023: Corn, silage

Field name: Field 1 Crop: Corn, silage Plant date: 06/18/2023

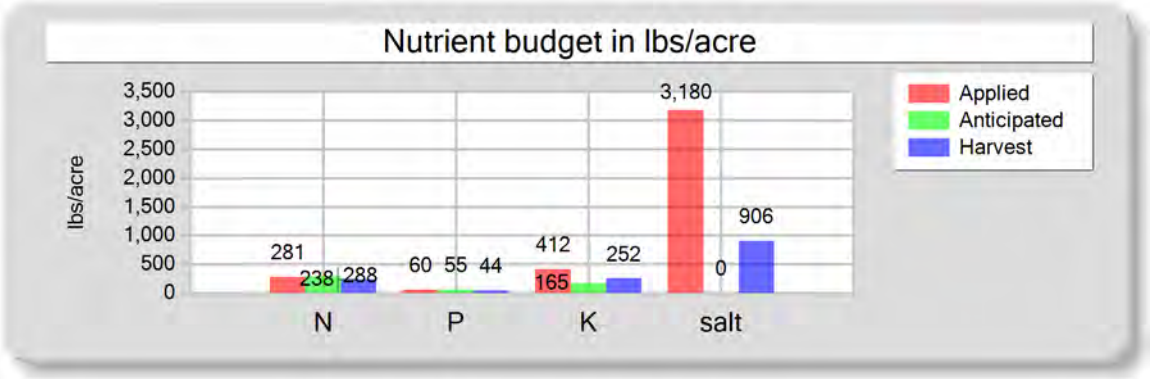


| | Total N (lbs/acre) | Total P (lbs/acre) | Total K (lbs/acre) | Total salt (lbs/acre) |
|---|---|---|---|---|
| Existing soil nutrient content | 0.00 | 0.00 | 0.00 | 0.00 |
| Plowdown credit | 0.00 | 0.00 | 0.00 | 0.00 |
| Commercial fertilizer / Other | 0.00 | 0.00 | 0.00 | 0.00 |
| Dry manure | 0.00 | 0.00 | 0.00 | 0.00 |
| Process wastewater | 265.47 | 60.22 | 412.00 | 2,471.22 |
| Fresh water | 8.97 | 0.00 | 0.00 | 708.83 |
| Atmospheric deposition | 7.00 | 0.00 | 0.00 | 0.00 |
| Total nutrients applied | 281.44 | 60.22 | 412.00 | 3,180.05 |
| Anticipated crop nutrient removal | 287.50 | 55.00 | 165.00 | 0.00 |
| Actual crop nutrient removal | 237.78 | 43.67 | 252.34 | 906.23 |
| Nutrient balance | 43.66 | 16.54 | 159.67 | 2,273.82 |
| Applied to removed ratio | 1.18 | 1.38 | 1.63 | 3.51 |

| Fresh water applied | |
|---|---|
| 120,422,400.00 | *gallons* |
| 4,434.75 | *acre-inches* |
| 39.60 | *inches/acre* |

| Process wastewater applied | |
|---|---|
| 16,200,000.00 | *gallons* |
| 596.59 | *acre-inches* |
| 5.33 | *inches/acre* |

| Total harvests for the crop | |
|---|---|
| 1 | *harvests* |

**Annual Report - General Order No. R5-2007-0035**
*Reporting period 01/01/2023 to 12/31/2023.*

## Field 2 - 10/25/2022: Wheat, silage, soft dough

Field name: Field 2 Crop: Wheat, silage, soft dough Plant date: 10/25/2022

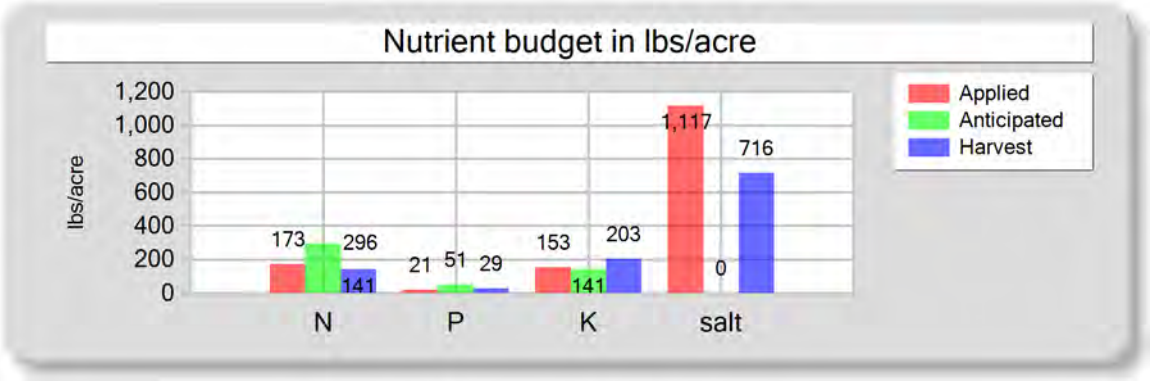


| | Total N (lbs/acre) | Total P (lbs/acre) | Total K (lbs/acre) | Total salt (lbs/acre) |
|---|---|---|---|---|
| Existing soil nutrient content | 0.00 | 0.00 | 0.00 | 0.00 |
| Plowdown credit | 0.00 | 0.00 | 0.00 | 0.00 |
| Commercial fertilizer / Other | 0.00 | 0.00 | 0.00 | 0.00 |
| Dry manure | 0.00 | 0.00 | 0.00 | 0.00 |
| Process wastewater | 164.13 | 20.93 | 153.05 | 943.76 |
| Fresh water | 2.20 | 0.00 | 0.00 | 173.61 |
| Atmospheric deposition | 7.00 | 0.00 | 0.00 | 0.00 |
| Total nutrients applied | 173.33 | 20.93 | 153.05 | 1,117.36 |
| Anticipated crop nutrient removal | 295.80 | 51.00 | 141.10 | 0.00 |
| Actual crop nutrient removal | 140.53 | 28.63 | 202.99 | 716.24 |
| Nutrient balance | 32.80 | -7.70 | -49.94 | 401.13 |
| Applied to removed ratio | 1.23 | 0.73 | 0.75 | 1.56 |

| Fresh water applied | |
|---|---|
| 32,390,400.00 | *gallons* |
| 1,192.83 | *acre-inches* |
| 9.70 | *inches/acre* |

| Process wastewater applied | |
|---|---|
| 3,024,000.00 | *gallons* |
| 111.36 | *acre-inches* |
| 0.91 | *inches/acre* |

| Total harvests for the crop | |
|---|---|
| 1 | *harvests* |

**Annual Report - General Order No. R5-2007-0035**
*Reporting period 01/01/2023 to 12/31/2023.*

## Field 2 - 06/26/2023: Corn, silage

Field name: Field 2 Crop: Corn, silage Plant date: 06/26/2023

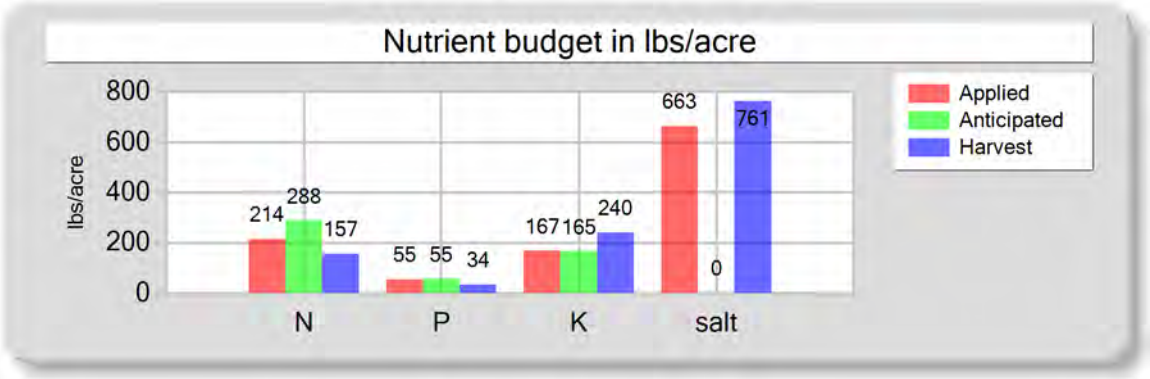


| | Total N (lbs/acre) | Total P (lbs/acre) | Total K (lbs/acre) | Total salt (lbs/acre) |
|---|---|---|---|---|
| Existing soil nutrient content | 0.00 | 0.00 | 0.00 | 0.00 |
| Plowdown credit | 0.00 | 0.00 | 0.00 | 0.00 |
| Commercial fertilizer / Other | 0.00 | 0.00 | 0.00 | 0.00 |
| Dry manure | 198.81 | 54.51 | 167.43 | 0.00 |
| Process wastewater | 0.00 | 0.00 | 0.00 | 0.00 |
| Fresh water | 8.40 | 0.00 | 0.00 | 663.45 |
| Atmospheric deposition | 7.00 | 0.00 | 0.00 | 0.00 |
| Total nutrients applied | 214.21 | 54.51 | 167.43 | 663.45 |
| Anticipated crop nutrient removal | 287.50 | 55.00 | 165.00 | 0.00 |
| Actual crop nutrient removal | 156.69 | 34.28 | 239.93 | 761.49 |
| Nutrient balance | 57.52 | 20.24 | -72.50 | -98.05 |
| Applied to removed ratio | 1.37 | 1.59 | 0.70 | 0.87 |

| Fresh water applied | |
|---|---|
| 123,782,400.00 | *gallons* |
| 4,558.48 | *acre-inches* |
| 37.06 | *inches/acre* |

| Process wastewater applied | |
|---|---|
| 0.00 | *gallons* |
| 0.00 | *acre-inches* |
| 0.00 | *inches/acre* |

| Total harvests for the crop | |
|---|---|
| 1 | *harvests* |

**Annual Report - General Order No. R5-2007-0035**
*Reporting period 01/01/2023 to 12/31/2023.*

## Field 3 - 10/01/2022: Wheat, silage, soft dough

Field name: Field 3 Crop: Wheat, silage, soft dough Plant date: 10/01/2022

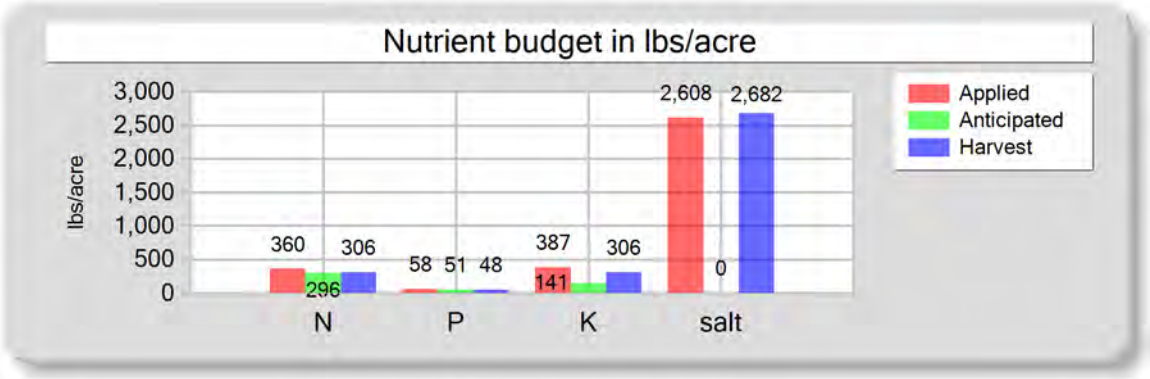


| | Total N (lbs/acre) | Total P (lbs/acre) | Total K (lbs/acre) | Total salt (lbs/acre) |
|---|---|---|---|---|
| Existing soil nutrient content | 0.00 | 0.00 | 0.00 | 0.00 |
| Plowdown credit | 0.00 | 0.00 | 0.00 | 0.00 |
| Commercial fertilizer / Other | 0.00 | 0.00 | 0.00 | 0.00 |
| Dry manure | 0.00 | 0.00 | 0.00 | 0.00 |
| Process wastewater | 350.45 | 58.05 | 387.29 | 2,419.03 |
| Fresh water | 2.39 | 0.00 | 0.00 | 189.17 |
| Atmospheric deposition | 7.00 | 0.00 | 0.00 | 0.00 |
| Total nutrients applied | 359.84 | 58.05 | 387.29 | 2,608.19 |
| Anticipated crop nutrient removal | 295.80 | 51.00 | 141.10 | 0.00 |
| Actual crop nutrient removal | 306.47 | 47.67 | 306.47 | 2,682.20 |
| Nutrient balance | 53.37 | 10.38 | 80.82 | -74.01 |
| Applied to removed ratio | 1.17 | 1.22 | 1.26 | 0.97 |

| Fresh water applied | |
|---|---|
| 46,771,200.00 | *gallons* |
| 1,722.42 | *acre-inches* |
| 10.57 | *inches/acre* |

| Process wastewater applied | |
|---|---|
| 12,528,000.00 | *gallons* |
| 461.36 | *acre-inches* |
| 2.83 | *inches/acre* |

| Total harvests for the crop | |
|---|---|
| 1 | *harvests* |

**Annual Report - General Order No. R5-2007-0035**
*Reporting period 01/01/2023 to 12/31/2023.*

## Field 3 - 07/01/2023: Corn, silage

Field name: Field 3 Crop: Corn, silage Plant date: 07/01/2023

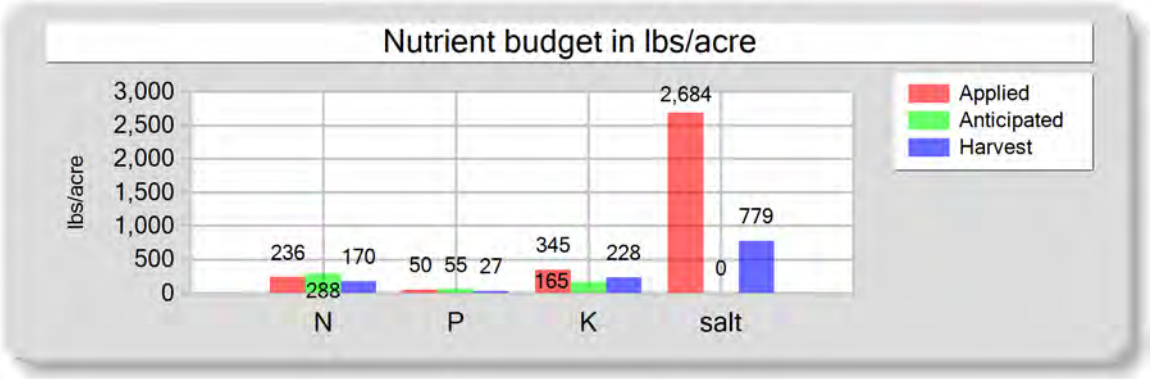


| | Total N (lbs/acre) | Total P (lbs/acre) | Total K (lbs/acre) | Total salt (lbs/acre) |
|---|---|---|---|---|
| Existing soil nutrient content | 0.00 | 0.00 | 0.00 | 0.00 |
| Plowdown credit | 0.00 | 0.00 | 0.00 | 0.00 |
| Commercial fertilizer / Other | 0.00 | 0.00 | 0.00 | 0.00 |
| Dry manure | 0.00 | 0.00 | 0.00 | 0.00 |
| Process wastewater | 220.90 | 49.53 | 344.91 | 2,054.26 |
| Fresh water | 7.97 | 0.00 | 0.00 | 630.01 |
| Atmospheric deposition | 7.00 | 0.00 | 0.00 | 0.00 |
| Total nutrients applied | 235.88 | 49.53 | 344.91 | 2,684.28 |
| Anticipated crop nutrient removal | 287.50 | 55.00 | 165.00 | 0.00 |
| Actual crop nutrient removal | 170.01 | 26.84 | 228.16 | 779.43 |
| Nutrient balance | 65.87 | 22.69 | 116.75 | 1,904.85 |
| Applied to removed ratio | 1.39 | 1.85 | 1.51 | 3.44 |

| Fresh water applied | |
|---|---|
| 155,769,600.00 | *gallons* |
| 5,736.46 | *acre-inches* |
| 35.19 | *inches/acre* |

| Process wastewater applied | |
|---|---|
| 20,412,000.00 | *gallons* |
| 751.70 | *acre-inches* |
| 4.61 | *inches/acre* |

| Total harvests for the crop | |
|---|---|
| 1 | *harvests* |

**Annual Report - General Order No. R5-2007-0035**
*Reporting period 01/01/2023 to 12/31/2023.*

## Field 4 - 09/29/2022: Wheat, silage, soft dough

Field name: Field 4 Crop: Wheat, silage, soft dough Plant date: 09/29/2022

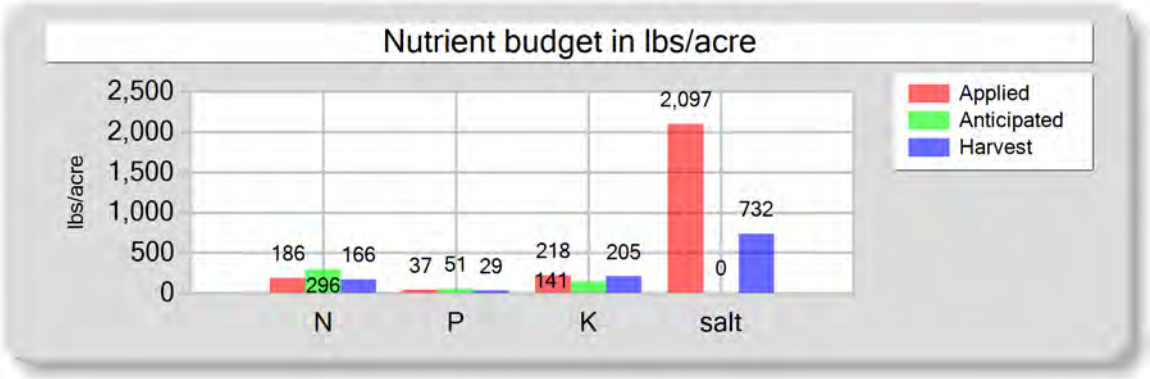


| | Total N (lbs/acre) | Total P (lbs/acre) | Total K (lbs/acre) | Total salt (lbs/acre) |
|---|---|---|---|---|
| Existing soil nutrient content | 0.00 | 0.00 | 0.00 | 0.00 |
| Plowdown credit | 0.00 | 0.00 | 0.00 | 0.00 |
| Commercial fertilizer / Other | 0.00 | 0.00 | 0.00 | 0.00 |
| Dry manure | 0.00 | 0.00 | 0.00 | 0.00 |
| Process wastewater | 175.71 | 36.64 | 218.24 | 1,285.13 |
| Fresh water | 3.12 | 0.00 | 0.00 | 811.71 |
| Atmospheric deposition | 7.00 | 0.00 | 0.00 | 0.00 |
| Total nutrients applied | 185.83 | 36.64 | 218.24 | 2,096.84 |
| Anticipated crop nutrient removal | 295.80 | 51.00 | 141.10 | 0.00 |
| Actual crop nutrient removal | 166.10 | 29.31 | 205.18 | 732.09 |
| Nutrient balance | 19.74 | 7.33 | 13.06 | 1,364.75 |
| Applied to removed ratio | 1.12 | 1.25 | 1.06 | 2.86 |

| Fresh water applied | |
|---|---|
| 10,101,000.00 | *gallons* |
| 371.99 | *acre-inches* |
| 13.78 | *inches/acre* |

| Process wastewater applied | |
|---|---|
| 1,512,000.00 | *gallons* |
| 55.68 | *acre-inches* |
| 2.06 | *inches/acre* |

| Total harvests for the crop | |
|---|---|
| 1 | *harvests* |

**Annual Report - General Order No. R5-2007-0035**
*Reporting period 01/01/2023 to 12/31/2023.*

## Field 4 - 05/29/2023: Corn, silage

Field name: Field 4 Crop: Corn, silage Plant date: 05/29/2023

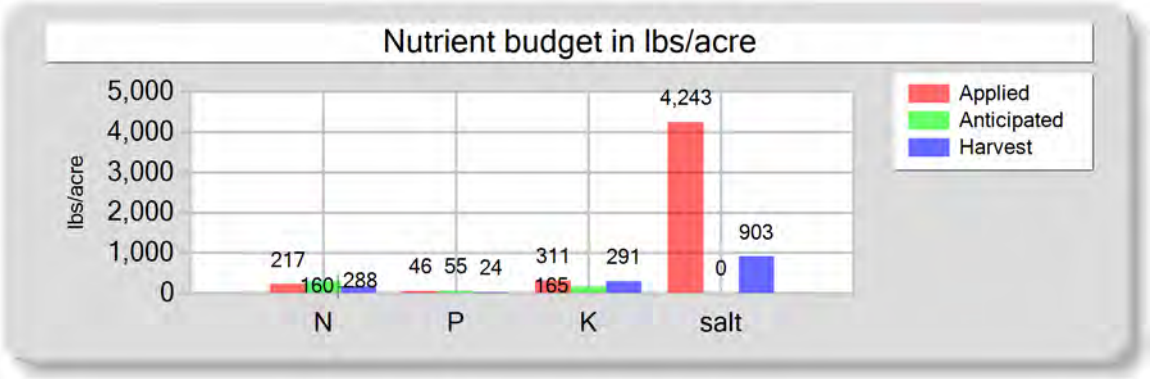


| | Total N (lbs/acre) | Total P (lbs/acre) | Total K (lbs/acre) | Total salt (lbs/acre) |
|---|---|---|---|---|
| Existing soil nutrient content | 0.00 | 0.00 | 0.00 | 0.00 |
| Plowdown credit | 0.00 | 0.00 | 0.00 | 0.00 |
| Commercial fertilizer / Other | 0.00 | 0.00 | 0.00 | 0.00 |
| Dry manure | 0.00 | 0.00 | 0.00 | 0.00 |
| Process wastewater | 200.85 | 45.73 | 311.10 | 1,870.28 |
| Fresh water | 9.13 | 0.00 | 0.00 | 2,372.69 |
| Atmospheric deposition | 7.00 | 0.00 | 0.00 | 0.00 |
| Total nutrients applied | 216.97 | 45.73 | 311.10 | 4,242.97 |
| Anticipated crop nutrient removal | 287.50 | 55.00 | 165.00 | 0.00 |
| Actual crop nutrient removal | 159.68 | 23.95 | 291.42 | 902.89 |
| Nutrient balance | 57.29 | 21.77 | 19.68 | 3,340.08 |
| Applied to removed ratio | 1.36 | 1.91 | 1.07 | 4.70 |

| Fresh water applied | |
|---|---|
| 29,526,000.00 | *gallons* |
| 1,087.34 | *acre-inches* |
| 40.27 | *inches/acre* |

| Process wastewater applied | |
|---|---|
| 2,916,000.00 | *gallons* |
| 107.39 | *acre-inches* |
| 3.98 | *inches/acre* |

| Total harvests for the crop | |
|---|---|
| 1 | *harvests* |

**Annual Report - General Order No. R5-2007-0035**
*Reporting period 01/01/2023 to 12/31/2023.*

## Field 5 - 10/14/2022: Wheat, silage, soft dough

Field name: Field 5 Crop: Wheat, silage, soft dough Plant date: 10/14/2022

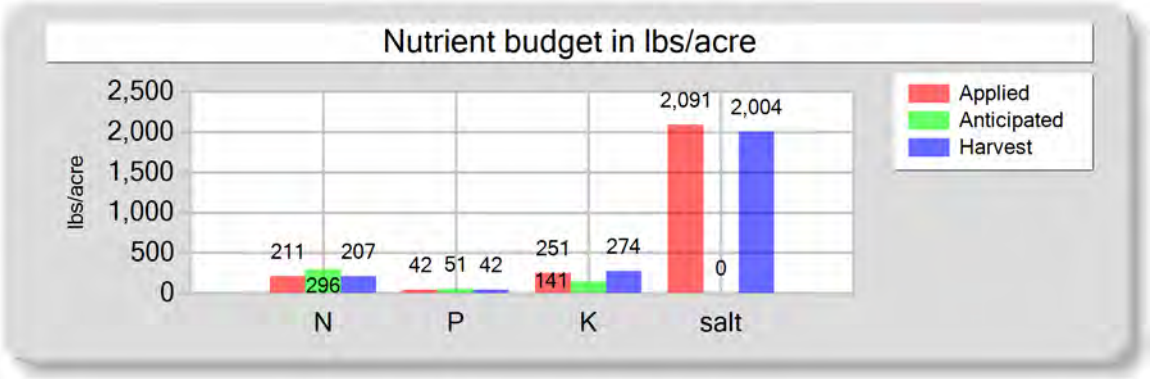


| | Total N (lbs/acre) | Total P (lbs/acre) | Total K (lbs/acre) | Total salt (lbs/acre) |
|---|---|---|---|---|
| Existing soil nutrient content | 0.00 | 0.00 | 0.00 | 0.00 |
| Plowdown credit | 0.00 | 0.00 | 0.00 | 0.00 |
| Commercial fertilizer / Other | 0.00 | 0.00 | 0.00 | 0.00 |
| Dry manure | 0.00 | 0.00 | 0.00 | 0.00 |
| Process wastewater | 201.88 | 42.09 | 250.74 | 1,476.53 |
| Fresh water | 2.37 | 0.00 | 0.00 | 614.90 |
| Atmospheric deposition | 7.00 | 0.00 | 0.00 | 0.00 |
| Total nutrients applied | 211.25 | 42.09 | 250.74 | 2,091.43 |
| Anticipated crop nutrient removal | 295.80 | 51.00 | 141.10 | 0.00 |
| Actual crop nutrient removal | 207.39 | 42.18 | 274.17 | 2,003.87 |
| Nutrient balance | 3.86 | -0.09 | -23.43 | 87.57 |
| Applied to removed ratio | 1.02 | 1.00 | 0.91 | 1.04 |

| Fresh water applied | |
|---|---|
| 13,320,000.00 | *gallons* |
| 490.53 | *acre-inches* |
| 10.44 | *inches/acre* |

| Process wastewater applied | |
|---|---|
| 3,024,000.00 | *gallons* |
| 111.36 | *acre-inches* |
| 2.37 | *inches/acre* |

| Total harvests for the crop | |
|---|---|
| 1 | *harvests* |

**Annual Report - General Order No. R5-2007-0035**
*Reporting period 01/01/2023 to 12/31/2023.*

## Field 5 - 06/12/2023: Corn, silage

Field name: Field 5 Crop: Corn, silage Plant date: 06/12/2023

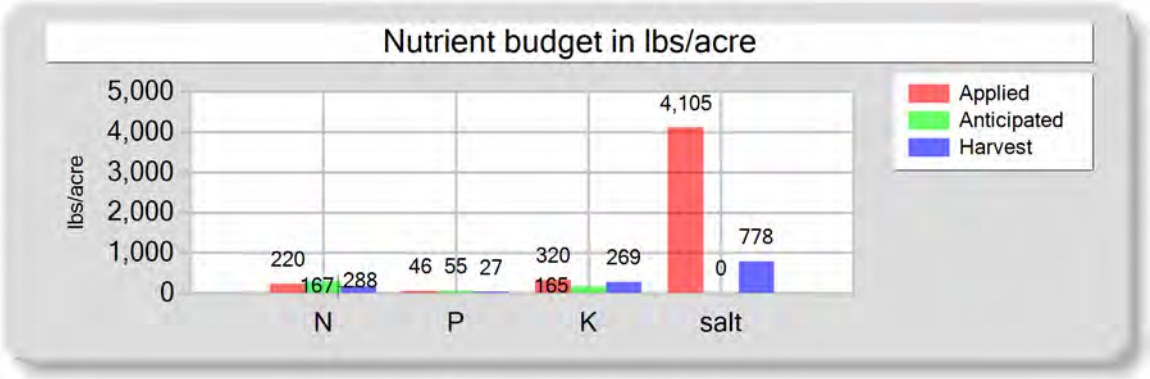


| | Total N (lbs/acre) | Total P (lbs/acre) | Total K (lbs/acre) | Total salt (lbs/acre) |
|---|---|---|---|---|
| Existing soil nutrient content | 0.00 | 0.00 | 0.00 | 0.00 |
| Plowdown credit | 0.00 | 0.00 | 0.00 | 0.00 |
| Commercial fertilizer / Other | 0.00 | 0.00 | 0.00 | 0.00 |
| Dry manure | 0.00 | 0.00 | 0.00 | 0.00 |
| Process wastewater | 204.51 | 45.71 | 319.85 | 1,901.28 |
| Fresh water | 8.47 | 0.00 | 0.00 | 2,203.40 |
| Atmospheric deposition | 7.00 | 0.00 | 0.00 | 0.00 |
| Total nutrients applied | 219.98 | 45.71 | 319.85 | 4,104.67 |
| Anticipated crop nutrient removal | 287.50 | 55.00 | 165.00 | 0.00 |
| Actual crop nutrient removal | 166.86 | 26.55 | 269.25 | 778.16 |
| Nutrient balance | 53.13 | 19.16 | 50.60 | 3,326.51 |
| Applied to removed ratio | 1.32 | 1.72 | 1.19 | 5.27 |

| Fresh water applied | |
|---|---|
| 47,730,000.00 | *gallons* |
| 1,757.73 | *acre-inches* |
| 37.40 | *inches/acre* |

| Process wastewater applied | |
|---|---|
| 5,508,000.00 | *gallons* |
| 202.84 | *acre-inches* |
| 4.32 | *inches/acre* |

| Total harvests for the crop | |
|---|---|
| 1 | *harvests* |

**Annual Report - General Order No. R5-2007-0035**
*Reporting period 01/01/2023 to 12/31/2023.*

## Field 6 - 10/15/2022: Wheat, silage, soft dough

Field name: Field 6 Crop: Wheat, silage, soft dough Plant date: 10/15/2022

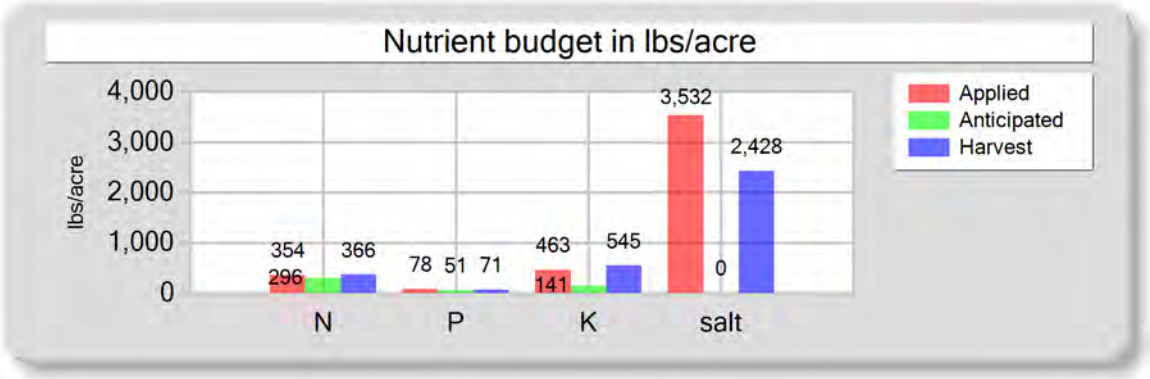


| | Total N (lbs/acre) | Total P (lbs/acre) | Total K (lbs/acre) | Total salt (lbs/acre) |
|---|---|---|---|---|
| Existing soil nutrient content | 0.00 | 0.00 | 0.00 | 0.00 |
| Plowdown credit | 0.00 | 0.00 | 0.00 | 0.00 |
| Commercial fertilizer / Other | 0.00 | 0.00 | 0.00 | 0.00 |
| Dry manure | 0.00 | 0.00 | 0.00 | 0.00 |
| Process wastewater | 344.51 | 77.69 | 462.99 | 2,829.96 |
| Fresh water | 2.70 | 0.00 | 0.00 | 701.87 |
| Atmospheric deposition | 7.00 | 0.00 | 0.00 | 0.00 |
| Total nutrients applied | 354.21 | 77.69 | 462.99 | 3,531.82 |
| Anticipated crop nutrient removal | 295.80 | 51.00 | 141.10 | 0.00 |
| Actual crop nutrient removal | 365.78 | 70.66 | 544.51 | 2,427.69 |
| Nutrient balance | -11.57 | 7.03 | -81.52 | 1,104.14 |
| Applied to removed ratio | 0.97 | 1.10 | 0.85 | 1.45 |

| Fresh water applied | |
|---|---|
| 11,322,000.00 | *gallons* |
| 416.95 | *acre-inches* |
| 11.91 | *inches/acre* |

| Process wastewater applied | |
|---|---|
| 4,104,000.00 | *gallons* |
| 151.14 | *acre-inches* |
| 4.32 | *inches/acre* |

| Total harvests for the crop | |
|---|---|
| 1 | *harvests* |

**Annual Report - General Order No. R5-2007-0035**
*Reporting period 01/01/2023 to 12/31/2023.*

## Field 6 - 07/13/2023: Corn, silage

Field name: Field 6 Crop: Corn, silage Plant date: 07/13/2023

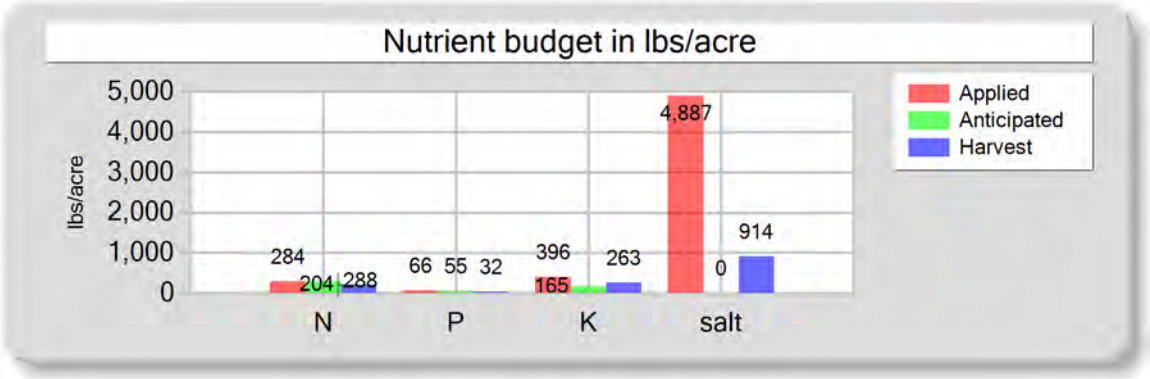


| | Total N (lbs/acre) | Total P (lbs/acre) | Total K (lbs/acre) | Total salt (lbs/acre) |
|---|---|---|---|---|
| Existing soil nutrient content | 0.00 | 0.00 | 0.00 | 0.00 |
| Plowdown credit | 0.00 | 0.00 | 0.00 | 0.00 |
| Commercial fertilizer / Other | 0.00 | 0.00 | 0.00 | 0.00 |
| Dry manure | 0.00 | 0.00 | 0.00 | 0.00 |
| Process wastewater | 267.80 | 66.33 | 395.52 | 2,513.23 |
| Fresh water | 9.13 | 0.00 | 0.00 | 2,373.96 |
| Atmospheric deposition | 7.00 | 0.00 | 0.00 | 0.00 |
| Total nutrients applied | 283.93 | 66.33 | 395.52 | 4,887.19 |
| Anticipated crop nutrient removal | 287.50 | 55.00 | 165.00 | 0.00 |
| Actual crop nutrient removal | 203.95 | 32.20 | 262.99 | 913.93 |
| Nutrient balance | 79.98 | 34.13 | 132.53 | 3,973.26 |
| Applied to removed ratio | 1.39 | 2.06 | 1.50 | 5.35 |

| Fresh water applied | |
|---|---|
| 38,295,000.00 | *gallons* |
| 1,410.27 | *acre-inches* |
| 40.29 | *inches/acre* |

| Process wastewater applied | |
|---|---|
| 3,456,000.00 | *gallons* |
| 127.27 | *acre-inches* |
| 3.64 | *inches/acre* |

| Total harvests for the crop | |
|---|---|
| 1 | *harvests* |

**Annual Report - General Order No. R5-2007-0035**
*Reporting period 01/01/2023 to 12/31/2023.*

## Field 6B - 10/15/2022: Wheat, silage, soft dough

Field name: Field 6B  Crop: Wheat, silage, soft dough  Plant date: 10/15/2022

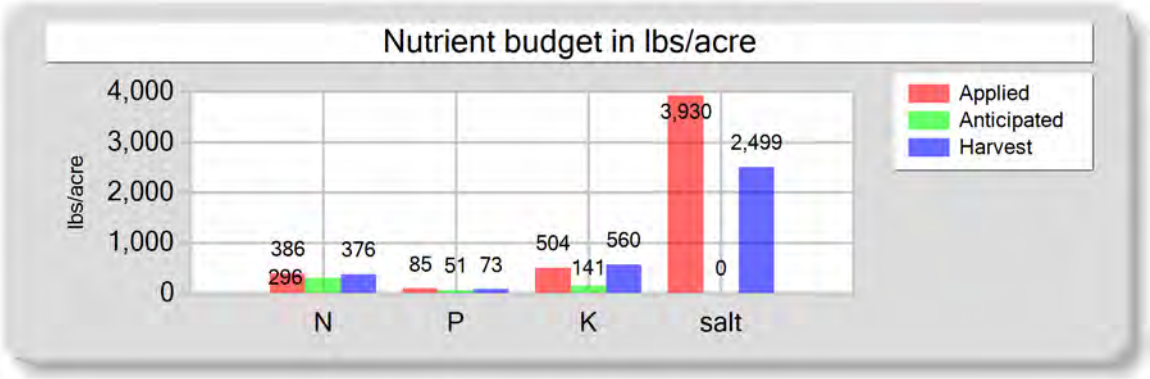


| | Total N (lbs/acre) | Total P (lbs/acre) | Total K (lbs/acre) | Total salt (lbs/acre) |
|---|---|---|---|---|
| Existing soil nutrient content | 0.00 | 0.00 | 0.00 | 0.00 |
| Plowdown credit | 0.00 | 0.00 | 0.00 | 0.00 |
| Commercial fertilizer / Other | 0.00 | 0.00 | 0.00 | 0.00 |
| Dry manure | 0.00 | 0.00 | 0.00 | 0.00 |
| Process wastewater | 375.66 | 84.54 | 503.80 | 3,076.57 |
| Fresh water | 3.28 | 0.00 | 0.00 | 853.88 |
| Atmospheric deposition | 7.00 | 0.00 | 0.00 | 0.00 |
| Total nutrients applied | 385.95 | 84.54 | 503.80 | 3,930.45 |
| Anticipated crop nutrient removal | 295.80 | 51.00 | 141.10 | 0.00 |
| Actual crop nutrient removal | 376.48 | 72.73 | 560.44 | 2,498.71 |
| Nutrient balance | 9.47 | 11.81 | -56.64 | 1,431.73 |
| Applied to removed ratio | 1.03 | 1.16 | 0.90 | 1.57 |

| Fresh water applied | |
|---|---|
| 4,329,000.00 | *gallons* |
| 159.42 | *acre-inches* |
| 14.49 | *inches/acre* |

| Process wastewater applied | |
|---|---|
| 1,404,000.00 | *gallons* |
| 51.70 | *acre-inches* |
| 4.70 | *inches/acre* |

| Total harvests for the crop | |
|---|---|
| 1 | *harvests* |

**Annual Report - General Order No. R5-2007-0035**
*Reporting period 01/01/2023 to 12/31/2023.*

## Field 6B - 07/13/2023: Corn, silage

Field name: Field 6B  Crop: Corn, silage  Plant date: 07/13/2023

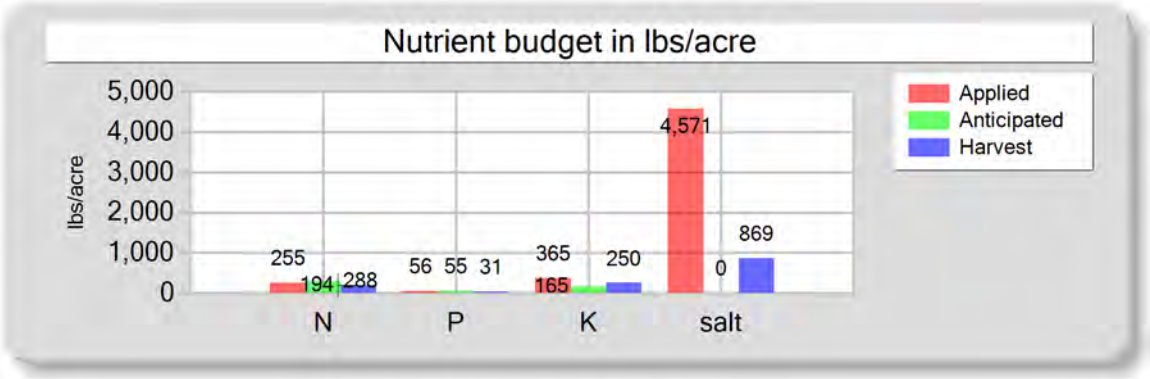


| | Total N (lbs/acre) | Total P (lbs/acre) | Total K (lbs/acre) | Total salt (lbs/acre) |
|---|---|---|---|---|
| Existing soil nutrient content | 0.00 | 0.00 | 0.00 | 0.00 |
| Plowdown credit | 0.00 | 0.00 | 0.00 | 0.00 |
| Commercial fertilizer / Other | 0.00 | 0.00 | 0.00 | 0.00 |
| Dry manure | 0.00 | 0.00 | 0.00 | 0.00 |
| Process wastewater | 238.83 | 55.63 | 365.42 | 2,228.57 |
| Fresh water | 9.01 | 0.00 | 0.00 | 2,342.68 |
| Atmospheric deposition | 7.00 | 0.00 | 0.00 | 0.00 |
| Total nutrients applied | 254.84 | 55.63 | 365.42 | 4,571.25 |
| Anticipated crop nutrient removal | 287.50 | 55.00 | 165.00 | 0.00 |
| Actual crop nutrient removal | 193.84 | 30.61 | 249.95 | 868.61 |
| Nutrient balance | 61.00 | 25.03 | 115.47 | 3,702.64 |
| Applied to removed ratio | 1.31 | 1.82 | 1.46 | 5.26 |

| Fresh water applied | |
|---|---|
| 11,877,000.00 | *gallons* |
| 437.39 | *acre-inches* |
| 39.76 | *inches/acre* |

| Process wastewater applied | |
|---|---|
| 1,296,000.00 | *gallons* |
| 47.73 | *acre-inches* |
| 4.34 | *inches/acre* |

| Total harvests for the crop | |
|---|---|
| 1 | *harvests* |

**Annual Report - General Order No. R5-2007-0035**
*Reporting period 01/01/2023 to 12/31/2023.*

## Field 7 - 10/14/2022: Wheat, silage, soft dough

Field name: Field 7 Crop: Wheat, silage, soft dough Plant date: 10/14/2022

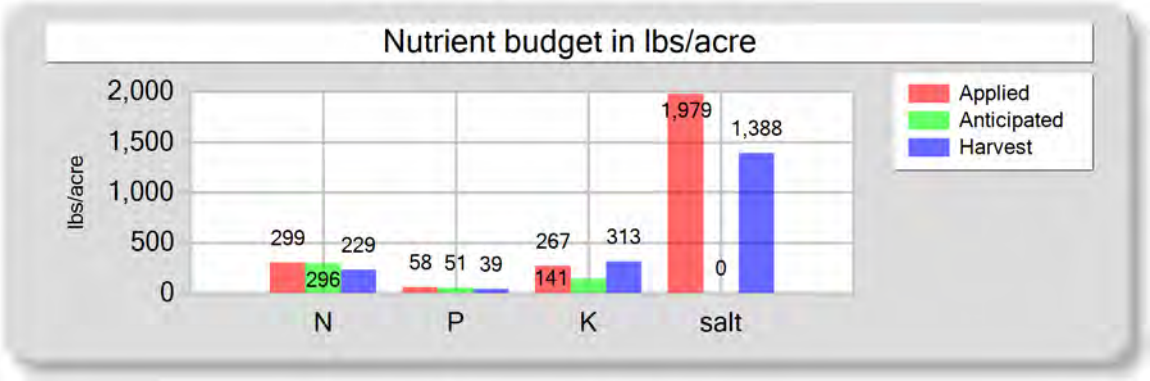


| | Total N (lbs/acre) | Total P (lbs/acre) | Total K (lbs/acre) | Total salt (lbs/acre) |
|---|---|---|---|---|
| Existing soil nutrient content | 0.00 | 0.00 | 0.00 | 0.00 |
| Plowdown credit | 0.00 | 0.00 | 0.00 | 0.00 |
| Commercial fertilizer / Other | 0.00 | 0.00 | 0.00 | 0.00 |
| Dry manure | 148.29 | 32.70 | 24.64 | 0.00 |
| Process wastewater | 141.26 | 25.49 | 242.79 | 1,291.19 |
| Fresh water | 2.65 | 0.00 | 0.00 | 688.10 |
| Atmospheric deposition | 7.00 | 0.00 | 0.00 | 0.00 |
| Total nutrients applied | 299.19 | 58.20 | 267.43 | 1,979.30 |
| Anticipated crop nutrient removal | 295.80 | 51.00 | 141.10 | 0.00 |
| Actual crop nutrient removal | 229.13 | 39.12 | 312.96 | 1,388.34 |
| Nutrient balance | 70.06 | 19.08 | -45.53 | 590.96 |
| Applied to removed ratio | 1.31 | 1.49 | 0.85 | 1.43 |

| Fresh water applied | |
|---|---|
| 15,540,000.00 | *gallons* |
| 572.29 | *acre-inches* |
| 11.68 | *inches/acre* |

| Process wastewater applied | |
|---|---|
| 6,480,000.00 | *gallons* |
| 238.64 | *acre-inches* |
| 4.87 | *inches/acre* |

| Total harvests for the crop | |
|---|---|
| 1 | *harvests* |

**Annual Report - General Order No. R5-2007-0035**
*Reporting period 01/01/2023 to 12/31/2023.*

## Field 7 - 06/16/2023: Corn, silage

Field name: Field 7 Crop: Corn, silage Plant date: 06/16/2023

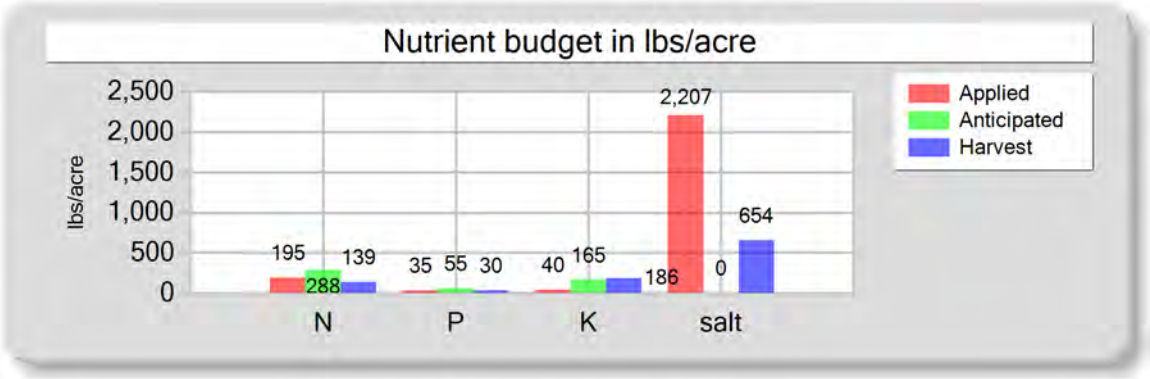


| | Total N (lbs/acre) | Total P (lbs/acre) | Total K (lbs/acre) | Total salt (lbs/acre) |
|---|---|---|---|---|
| Existing soil nutrient content | 0.00 | 0.00 | 0.00 | 0.00 |
| Plowdown credit | 0.00 | 0.00 | 0.00 | 0.00 |
| Commercial fertilizer / Other | 0.00 | 0.00 | 0.00 | 0.00 |
| Dry manure | 179.09 | 34.82 | 39.80 | 0.00 |
| Process wastewater | 0.00 | 0.00 | 0.00 | 0.00 |
| Fresh water | 8.49 | 0.00 | 0.00 | 2,206.85 |
| Atmospheric deposition | 7.00 | 0.00 | 0.00 | 0.00 |
| Total nutrients applied | 194.57 | 34.82 | 39.80 | 2,206.85 |
| Anticipated crop nutrient removal | 287.50 | 55.00 | 165.00 | 0.00 |
| Actual crop nutrient removal | 138.93 | 30.50 | 186.37 | 654.17 |
| Nutrient balance | 55.64 | 4.32 | -146.58 | 1,552.68 |
| Applied to removed ratio | 1.40 | 1.14 | 0.21 | 3.37 |

| Fresh water applied | |
|---|---|
| 49,839,000.00 | *gallons* |
| 1,835.40 | *acre-inches* |
| 37.46 | *inches/acre* |

| Process wastewater applied | |
|---|---|
| 0.00 | *gallons* |
| 0.00 | *acre-inches* |
| 0.00 | *inches/acre* |

| Total harvests for the crop | |
|---|---|
| 1 | *harvests* |

**Annual Report - General Order No. R5-2007-0035**
*Reporting period 01/01/2023 to 12/31/2023.*

## Field 8 - 09/29/2022: Wheat, silage, soft dough

Field name: Field 8 Crop: Wheat, silage, soft dough Plant date: 09/29/2022

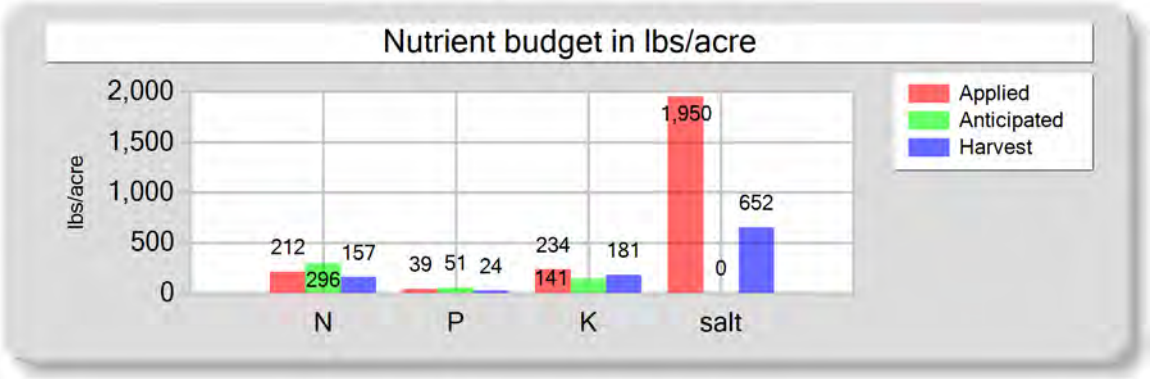


| | Total N (lbs/acre) | Total P (lbs/acre) | Total K (lbs/acre) | Total salt (lbs/acre) |
|---|---|---|---|---|
| Existing soil nutrient content | 0.00 | 0.00 | 0.00 | 0.00 |
| Plowdown credit | 0.00 | 0.00 | 0.00 | 0.00 |
| Commercial fertilizer / Other | 0.00 | 0.00 | 0.00 | 0.00 |
| Dry manure | 0.00 | 0.00 | 0.00 | 0.00 |
| Process wastewater | 188.26 | 39.25 | 233.83 | 1,376.93 |
| Fresh water | 16.85 | 0.00 | 0.00 | 573.02 |
| Atmospheric deposition | 7.00 | 0.00 | 0.00 | 0.00 |
| Total nutrients applied | 212.11 | 39.25 | 233.83 | 1,949.95 |
| Anticipated crop nutrient removal | 295.80 | 51.00 | 141.10 | 0.00 |
| Actual crop nutrient removal | 156.59 | 23.98 | 180.58 | 651.98 |
| Nutrient balance | 55.52 | 15.27 | 53.25 | 1,297.96 |
| Applied to removed ratio | 1.35 | 1.64 | 1.29 | 2.99 |

| Fresh water applied | |
|---|---|
| 17,304,000.00 | *gallons* |
| 637.25 | *acre-inches* |
| 10.12 | *inches/acre* |

| Process wastewater applied | |
|---|---|
| 3,780,000.00 | *gallons* |
| 139.20 | *acre-inches* |
| 2.21 | *inches/acre* |

| Total harvests for the crop | |
|---|---|
| 1 | *harvests* |

**Annual Report - General Order No. R5-2007-0035**
*Reporting period 01/01/2023 to 12/31/2023.*

## Field 8 - 05/23/2023: Corn, silage

Field name: Field 8 Crop: Corn, silage Plant date: 05/23/2023

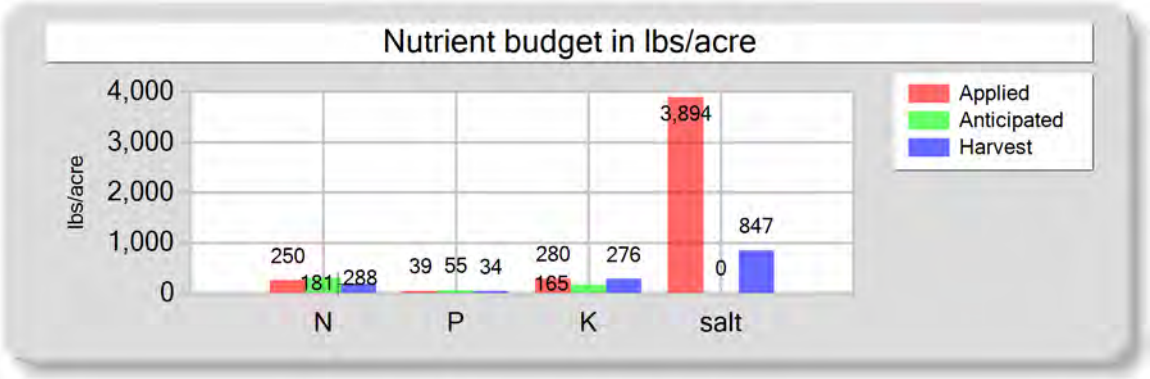


| | Total N (lbs/acre) | Total P (lbs/acre) | Total K (lbs/acre) | Total salt (lbs/acre) |
|---|---|---|---|---|
| Existing soil nutrient content | 0.00 | 0.00 | 0.00 | 0.00 |
| Plowdown credit | 0.00 | 0.00 | 0.00 | 0.00 |
| Commercial fertilizer / Other | 0.00 | 0.00 | 0.00 | 0.00 |
| Dry manure | 0.00 | 0.00 | 0.00 | 0.00 |
| Process wastewater | 177.36 | 38.88 | 280.11 | 1,646.16 |
| Fresh water | 66.08 | 0.00 | 0.00 | 2,247.59 |
| Atmospheric deposition | 7.00 | 0.00 | 0.00 | 0.00 |
| Total nutrients applied | 250.44 | 38.88 | 280.11 | 3,893.75 |
| Anticipated crop nutrient removal | 287.50 | 55.00 | 165.00 | 0.00 |
| Actual crop nutrient removal | 180.99 | 34.47 | 275.79 | 847.02 |
| Nutrient balance | 69.45 | 4.41 | 4.31 | 3,046.72 |
| Applied to removed ratio | 1.38 | 1.13 | 1.02 | 4.60 |

| Fresh water applied | |
|---|---|
| 67,872,000.00 | *gallons* |
| 2,499.49 | *acre-inches* |
| 39.67 | *inches/acre* |

| Process wastewater applied | |
|---|---|
| 6,804,000.00 | *gallons* |
| 250.57 | *acre-inches* |
| 3.98 | *inches/acre* |

| Total harvests for the crop | |
|---|---|
| 1 | *harvests* |

**Annual Report - General Order No. R5-2007-0035**
*Reporting period 01/01/2023 to 12/31/2023.*

## Field 9 - 11/04/2022: Wheat, silage, soft dough

Field name: Field 9 Crop: Wheat, silage, soft dough Plant date: 11/04/2022

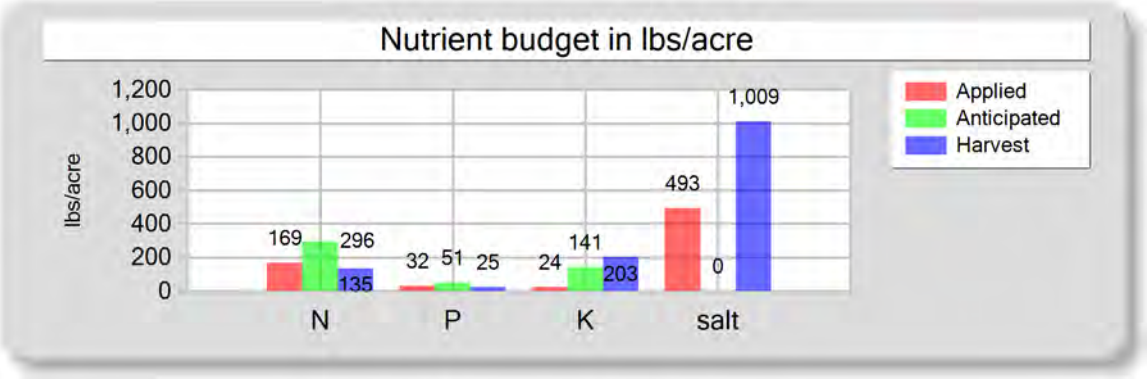


| | Total N (lbs/acre) | Total P (lbs/acre) | Total K (lbs/acre) | Total salt (lbs/acre) |
|---|---|---|---|---|
| Existing soil nutrient content | 0.00 | 0.00 | 0.00 | 0.00 |
| Plowdown credit | 0.00 | 0.00 | 0.00 | 0.00 |
| Commercial fertilizer / Other | 0.00 | 0.00 | 0.00 | 0.00 |
| Dry manure | 147.29 | 32.48 | 24.47 | 0.00 |
| Process wastewater | 0.00 | 0.00 | 0.00 | 0.00 |
| Fresh water | 14.48 | 0.00 | 0.00 | 492.58 |
| Atmospheric deposition | 7.00 | 0.00 | 0.00 | 0.00 |
| Total nutrients applied | 168.77 | 32.48 | 24.47 | 492.58 |
| Anticipated crop nutrient removal | 295.80 | 51.00 | 141.10 | 0.00 |
| Actual crop nutrient removal | 135.12 | 24.77 | 202.68 | 1,008.97 |
| Nutrient balance | 33.64 | 7.71 | -178.21 | -516.38 |
| Applied to removed ratio | 1.25 | 1.31 | 0.12 | 0.49 |

| Fresh water applied | |
|---|---|
| 8,736,000.00 | *gallons* |
| 321.72 | *acre-inches* |
| 8.70 | *inches/acre* |

| Process wastewater applied | |
|---|---|
| 0.00 | *gallons* |
| 0.00 | *acre-inches* |
| 0.00 | *inches/acre* |

| Total harvests for the crop | |
|---|---|
| 1 | *harvests* |

**Annual Report - General Order No. R5-2007-0035**
*Reporting period 01/01/2023 to 12/31/2023.*

## Field 9 - 06/19/2023: Corn, silage

Field name: Field 9 Crop: Corn, silage Plant date: 06/19/2023

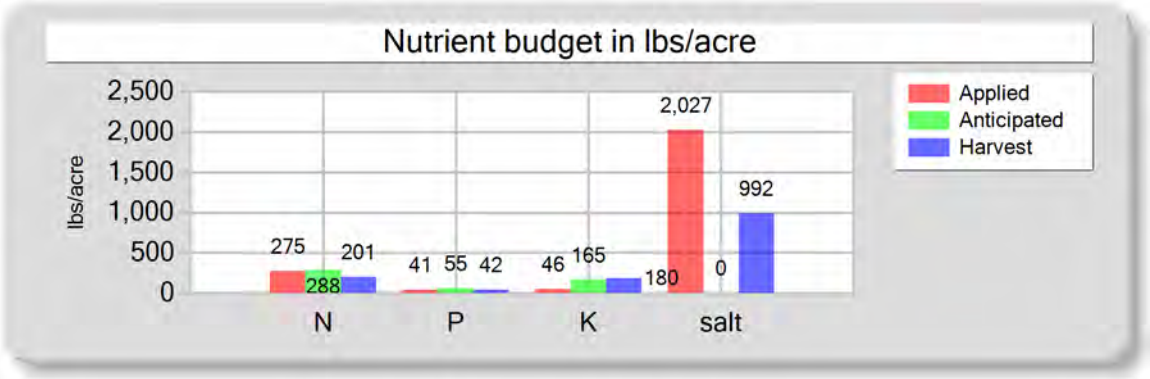


| | Total N (lbs/acre) | Total P (lbs/acre) | Total K (lbs/acre) | Total salt (lbs/acre) |
|---|---|---|---|---|
| Existing soil nutrient content | 0.00 | 0.00 | 0.00 | 0.00 |
| Plowdown credit | 0.00 | 0.00 | 0.00 | 0.00 |
| Commercial fertilizer / Other | 0.00 | 0.00 | 0.00 | 0.00 |
| Dry manure | 208.32 | 40.51 | 46.29 | 0.00 |
| Process wastewater | 0.00 | 0.00 | 0.00 | 0.00 |
| Fresh water | 59.60 | 0.00 | 0.00 | 2,027.16 |
| Atmospheric deposition | 7.00 | 0.00 | 0.00 | 0.00 |
| Total nutrients applied | 274.92 | 40.51 | 46.29 | 2,027.16 |
| Anticipated crop nutrient removal | 287.50 | 55.00 | 165.00 | 0.00 |
| Actual crop nutrient removal | 200.86 | 41.85 | 179.94 | 992.25 |
| Nutrient balance | 74.06 | -1.34 | -133.64 | 1,034.91 |
| Applied to removed ratio | 1.37 | 0.97 | 0.26 | 2.04 |

| Fresh water applied | |
|---|---|
| 35,952,000.00 | *gallons* |
| 1,323.99 | *acre-inches* |
| 35.78 | *inches/acre* |

| Process wastewater applied | |
|---|---|
| 0.00 | *gallons* |
| 0.00 | *acre-inches* |
| 0.00 | *inches/acre* |

| Total harvests for the crop | |
|---|---|
| 1 | *harvests* |

**Annual Report - General Order No. R5-2007-0035**
*Reporting period 01/01/2023 to 12/31/2023.*

NUTRIENT ANALYSES

## A. MANURE ANALYSES

### Corral Solids

Sample and source description: Corral Solids
Sample date: 09/29/2022 Material type: Corral solids Source of analysis: Lab analysis Method of reporting: Dry-weight
Moisture: 20.6 %

| | Total N (mg/kg) | Total P (mg/kg) | Total K (mg/kg) | Calcium (mg/kg) | Magnesium (mg/kg) | Sodium (mg/kg) | Sulfur (mg/kg) | Chloride (mg/kg) | Total salt (mg/kg) | TFS (%) |
|---|---|---|---|---|---|---|---|---|---|---|
| **Value** | 28,400.00 | 7,100.00 | 28,900.00 | | | | | | | |
| **DL** | 100.00 | 100.00 | 100.00 | | | | | | | |

### Drying Solids

Sample and source description: Drying Solids
Sample date: 09/29/2022 Material type: Compost Source of analysis: Lab analysis Method of reporting: Dry-weight
Moisture: 13.9 %

| | Total N (mg/kg) | Total P (mg/kg) | Total K (mg/kg) | Calcium (mg/kg) | Magnesium (mg/kg) | Sodium (mg/kg) | Sulfur (mg/kg) | Chloride (mg/kg) | Total salt (mg/kg) | TFS (%) |
|---|---|---|---|---|---|---|---|---|---|---|
| **Value** | 19,300.00 | 5,500.00 | 24,500.00 | | | | | | | |
| **DL** | 100.00 | 100.00 | 100.00 | | | | | | | |

### Settling Basin Solids

Sample and source description: Settling Basin Solids
Sample date: 09/29/2022 Material type: Separator solids Source of analysis: Lab analysis Method of reporting: Dry-weight
Moisture: 80.4 %

| | Total N (mg/kg) | Total P (mg/kg) | Total K (mg/kg) | Calcium (mg/kg) | Magnesium (mg/kg) | Sodium (mg/kg) | Sulfur (mg/kg) | Chloride (mg/kg) | Total salt (mg/kg) | TFS (%) |
|---|---|---|---|---|---|---|---|---|---|---|
| **Value** | 33,100.00 | 7,300.00 | 5,500.00 | | | | | | | |
| **DL** | 100.00 | 100.00 | 100.00 | | | | | | | |

**Annual Report - General Order No. R5-2007-0035**
*Reporting period 01/01/2023 to 12/31/2023.*

## Shippee Heifer Corral Solids

Sample and source description: Shippee Heifer Corral Solids
Sample date: 09/29/2022 Material type: Corral solids Source of analysis: Lab analysis Method of reporting: Dry-weight
Moisture: 14.0 %

| | Total N (mg/kg) | Total P (mg/kg) | Total K (mg/kg) | Calcium (mg/kg) | Magnesium (mg/kg) | Sodium (mg/kg) | Sulfur (mg/kg) | Chloride (mg/kg) | Total salt (mg/kg) | TFS (%) |
|---|---|---|---|---|---|---|---|---|---|---|
| **Value** | 30,300.00 | 11,300.00 | 28,700.00 | | | | | | | |
| **DL** | 100.00 | 100.00 | 100.00 | | | | | | | |

## Corral Solids

Sample and source description: Corral Solids
Sample date: 04/20/2023 Material type: Corral solids Source of analysis: Lab analysis Method of reporting: Dry-weight
Moisture: 16.3 %

| | Total N (mg/kg) | Total P (mg/kg) | Total K (mg/kg) | Calcium (mg/kg) | Magnesium (mg/kg) | Sodium (mg/kg) | Sulfur (mg/kg) | Chloride (mg/kg) | Total salt (mg/kg) | TFS (%) |
|---|---|---|---|---|---|---|---|---|---|---|
| **Value** | 20,900.00 | 7,300.00 | 29,800.00 | | | | | | | 0.00 |
| **DL** | 100.00 | 100.00 | 100.00 | | | | | | | 0.01 |

## Drying Solids

Sample and source description: Drying Solids
Sample date: 04/20/2023 Material type: Compost Source of analysis: Lab analysis Method of reporting: Dry-weight
Moisture: 19.9 %

| | Total N (mg/kg) | Total P (mg/kg) | Total K (mg/kg) | Calcium (mg/kg) | Magnesium (mg/kg) | Sodium (mg/kg) | Sulfur (mg/kg) | Chloride (mg/kg) | Total salt (mg/kg) | TFS (%) |
|---|---|---|---|---|---|---|---|---|---|---|
| **Value** | 27,200.00 | 8,900.00 | 33,000.00 | 25,500.00 | 11,700.00 | 9,900.00 | 6,500.00 | 6,000.00 | | 39.60 |
| **DL** | 100.00 | 100.00 | 100.00 | 100.00 | 100.00 | 100.00 | 100.00 | 1,000.00 | | 0.01 |

**Annual Report - General Order No. R5-2007-0035**
*Reporting period 01/01/2023 to 12/31/2023.*

## Separated Solids

Sample and source description: Separated Solids
Sample date: 04/20/2023 Material type: Separator solids Source of analysis: Lab analysis Method of reporting: Dry-weight
Moisture: 81.7 %

| | Total N (mg/kg) | Total P (mg/kg) | Total K (mg/kg) | Calcium (mg/kg) | Magnesium (mg/kg) | Sodium (mg/kg) | Sulfur (mg/kg) | Chloride (mg/kg) | Total salt (mg/kg) | TFS (%) |
|---|---|---|---|---|---|---|---|---|---|---|
| **Value** | 32,400.00 | 6,300.00 | 7,200.00 | | | | | | | 0.00 |
| **DL** | 100.00 | 100.00 | 100.00 | | | | | | | 0.01 |

## Shippee Heifer Corral Solids

Sample and source description: Shippee Heifer Corral Solids
Sample date: 04/20/2023 Material type: Corral solids Source of analysis: Lab analysis Method of reporting: Dry-weight
Moisture: 13.4 %

| | Total N (mg/kg) | Total P (mg/kg) | Total K (mg/kg) | Calcium (mg/kg) | Magnesium (mg/kg) | Sodium (mg/kg) | Sulfur (mg/kg) | Chloride (mg/kg) | Total salt (mg/kg) | TFS (%) |
|---|---|---|---|---|---|---|---|---|---|---|
| **Value** | 25,700.00 | 14,100.00 | 28,200.00 | 29,200.00 | 18,500.00 | 6,900.00 | 7,300.00 | 6,000.00 | | 44.30 |
| **DL** | 100.00 | 100.00 | 100.00 | 100.00 | 100.00 | 100.00 | 100.00 | 1,000.00 | | 0.01 |

## Corral Solids

Sample and source description: Corral Solids
Sample date: 10/13/2023 Material type: Corral solids Source of analysis: Lab analysis Method of reporting: Dry-weight
Moisture: 6.4 %

| | Total N (mg/kg) | Total P (mg/kg) | Total K (mg/kg) | Calcium (mg/kg) | Magnesium (mg/kg) | Sodium (mg/kg) | Sulfur (mg/kg) | Chloride (mg/kg) | Total salt (mg/kg) | TFS (%) |
|---|---|---|---|---|---|---|---|---|---|---|
| **Value** | 17,900.00 | 7,000.00 | 26,800.00 | 19,300.00 | 12,400.00 | 4,700.00 | 4,600.00 | 7,000.00 | | 52.90 |
| **DL** | 100.00 | 100.00 | 100.00 | 100.00 | 100.00 | 100.00 | 100.00 | 1,000.00 | | 0.01 |

**Annual Report - General Order No. R5-2007-0035**
*Reporting period 01/01/2023 to 12/31/2023.*

Settling Basin Solids

Sample and source description: Settling Basin Solids
Sample date: 10/13/2023 Material type: Separator solids Source of analysis: Lab analysis Method of reporting: Dry-weight
Moisture: 7.9 %

| | Total N (mg/kg) | Total P (mg/kg) | Total K (mg/kg) | Calcium (mg/kg) | Magnesium (mg/kg) | Sodium (mg/kg) | Sulfur (mg/kg) | Chloride (mg/kg) | Total salt (mg/kg) | TFS (%) |
|---|---|---|---|---|---|---|---|---|---|---|
| **Value** | 20,700.00 | 6,000.00 | 24,100.00 | 19,600.00 | 8,600.00 | 4,400.00 | 4,200.00 | 7,000.00 | | 45.40 |
| **DL** | 100.00 | 100.00 | 100.00 | 100.00 | 100.00 | 100.00 | 100.00 | 1,000.00 | | 0.01 |

Shippee Heifer Corral Solids

Sample and source description: Shippee Heifer Corral Solids
Sample date: 10/13/2023 Material type: Corral solids Source of analysis: Lab analysis Method of reporting: Dry-weight
Moisture: 9.4 %

| | Total N (mg/kg) | Total P (mg/kg) | Total K (mg/kg) | Calcium (mg/kg) | Magnesium (mg/kg) | Sodium (mg/kg) | Sulfur (mg/kg) | Chloride (mg/kg) | Total salt (mg/kg) | TFS (%) |
|---|---|---|---|---|---|---|---|---|---|---|
| **Value** | 20,600.00 | 7,900.00 | 17,900.00 | 19,400.00 | 10,900.00 | 3,900.00 | 5,000.00 | 6,000.00 | | 52.90 |
| **DL** | 100.00 | 100.00 | 100.00 | 100.00 | 100.00 | 100.00 | 100.00 | 1,000.00 | | 0.01 |

## B. PROCESS WASTEWATER ANALYSES

4QWW

Sample and source description: 4QWW
Sample date: 10/20/2022 Material type: Process wastewater Source of analysis: Lab analysis pH: 7.40

| | Kjeldahl-N (mg/L) | NH4-N (mg/L) | NH3-N (mg/L) | Nitrate-N (mg/L) | Total P (mg/L) | Total K (mg/L) | Calcium (mg/L) | Magnes. (mg/L) | Sodium (mg/L) | Bicarb. (mg/L) | Carb. (mg/L) | Sulfate (mg/L) | Chloride (mg/L) | EC (µmhos/cm) | TDS (mg/L) |
|---|---|---|---|---|---|---|---|---|---|---|---|---|---|---|---|
| **Value** | 376.00 | 330.00 | 0.00 | 1.70 | 78.40 | 467.00 | | | | | | | | 5,800.00 | 2,750 |
| **DL** | 1.00 | 0.50 | 0.50 | 0.10 | 0.10 | 0.50 | | | | | | | | 10.00 | 10 |

**Annual Report - General Order No. R5-2007-0035**
*Reporting period 01/01/2023 to 12/31/2023.*

## 1QWW

Sample and source description: 1QWW

Sample date: 02/16/2023 Material type: Process wastewater Source of analysis: Lab analysis pH: 7.30

| | Kjeldahl-N (mg/L) | NH4-N (mg/L) | NH3-N (mg/L) | Nitrate-N (mg/L) | Total P (mg/L) | Total K (mg/L) | Calcium (mg/L) | Magnes. (mg/L) | Sodium (mg/L) | Bicarb. (mg/L) | Carb. (mg/L) | Sulfate (mg/L) | Chloride (mg/L) | EC (µmhos/cm) | TDS (mg/L) |
|---|---|---|---|---|---|---|---|---|---|---|---|---|---|---|---|
| **Value** | 800.00 | 456.00 | 0.00 | 2.10 | 102.00 | 746.00 | | | | | | | | 8,870.00 | 4,600 |
| **DL** | 1.00 | 0.50 | 0.50 | 0.10 | 0.10 | 0.50 | | | | | | | | 10.00 | 10 |

## 2QWW

Sample and source description: 2QWW

Sample date: 06/09/2023 Material type: Process wastewater Source of analysis: Lab analysis pH: 8.00

| | Kjeldahl-N (mg/L) | NH4-N (mg/L) | NH3-N (mg/L) | Nitrate-N (mg/L) | Total P (mg/L) | Total K (mg/L) | Calcium (mg/L) | Magnes. (mg/L) | Sodium (mg/L) | Bicarb. (mg/L) | Carb. (mg/L) | Sulfate (mg/L) | Chloride (mg/L) | EC (µmhos/cm) | TDS (mg/L) |
|---|---|---|---|---|---|---|---|---|---|---|---|---|---|---|---|
| **Value** | 128.00 | 111.00 | 0.00 | 0.60 | 23.10 | 220.00 | | | | | | | | 2,140.00 | 1,170 |
| **DL** | 1.00 | 0.50 | 0.50 | 0.10 | 0.10 | 0.50 | | | | | | | | 10.00 | 10 |

## 3QWW

Sample and source description: 3QWW

Sample date: 09/08/2023 Material type: Process wastewater Source of analysis: Lab analysis pH: 7.80

| | Kjeldahl-N (mg/L) | NH4-N (mg/L) | NH3-N (mg/L) | Nitrate-N (mg/L) | Total P (mg/L) | Total K (mg/L) | Calcium (mg/L) | Magnes. (mg/L) | Sodium (mg/L) | Bicarb. (mg/L) | Carb. (mg/L) | Sulfate (mg/L) | Chloride (mg/L) | EC (µmhos/cm) | TDS (mg/L) |
|---|---|---|---|---|---|---|---|---|---|---|---|---|---|---|---|
| **Value** | 852.00 | 376.00 | 0.00 | 1.00 | 143.00 | 728.00 | 283.00 | 194.00 | 244.00 | 4,050.00 | 0.00 | 66.40 | 271.00 | 7,690.00 | 2,950 |
| **DL** | 1.00 | 0.50 | 0.50 | 0.10 | 0.10 | 0.50 | 0.10 | 0.10 | 1.00 | 10.00 | 0.10 | 0.50 | 0.20 | 10.00 | 10 |

## 3QWW

Sample and source description: 3QWW

Sample date: 09/20/2023 Material type: Process wastewater Source of analysis: Lab analysis pH: 7.50

| | Kjeldahl-N (mg/L) | NH4-N (mg/L) | NH3-N (mg/L) | Nitrate-N (mg/L) | Total P (mg/L) | Total K (mg/L) | Calcium (mg/L) | Magnes. (mg/L) | Sodium (mg/L) | Bicarb. (mg/L) | Carb. (mg/L) | Sulfate (mg/L) | Chloride (mg/L) | EC (µmhos/cm) | TDS (mg/L) |
|---|---|---|---|---|---|---|---|---|---|---|---|---|---|---|---|
| **Value** | 325.00 | 270.00 | 0.00 | 0.50 | 80.50 | 480.00 | | | | | | | | 5,980.00 | 3,050 |
| **DL** | 1.00 | 0.50 | 0.50 | 0.10 | 0.10 | 0.10 | | | | | | | | 10.00 | 10 |

**Annual Report - General Order No. R5-2007-0035**
*Reporting period 01/01/2023 to 12/31/2023.*

4QWW

Sample and source description: 4QWW

Sample date: 10/26/2023 Material type: Process wastewater Source of analysis: Lab analysis pH: 8.10

| | Kjeldahl-N (mg/L) | NH4-N (mg/L) | NH3-N (mg/L) | Nitrate-N (mg/L) | Total P (mg/L) | Total K (mg/L) | Calcium (mg/L) | Magnes. (mg/L) | Sodium (mg/L) | Bicarb. (mg/L) | Carb. (mg/L) | Sulfate (mg/L) | Chloride (mg/L) | EC (µmhos/cm) | TDS (mg/L) |
|---|---|---|---|---|---|---|---|---|---|---|---|---|---|---|---|
| **Value** | 305.00 | 257.00 | 0.00 | 1.10 | 16.60 | 408.00 | | | | | | | | 4,130.00 | 2,220 |
| **DL** | 1.00 | 0.50 | 0.50 | 0.10 | 0.10 | 0.50 | | | | | | | | 10.00 | 10 |

## C. FRESH WATER ANALYSES

Irrigation Wells

IW #1

Sample description: IW #1

Sample date: 12/06/2023 Source of analysis: Lab analysis

| | Total N (mg/L) | NH4-N (mg/L) | Nitrate-N (mg/L) | Calcium (mg/L) | Magnesium (mg/L) | Sodium (mg/L) | Bicarbonate (mg/L) | Carbonate (mg/L) | Sulfate (mg/L) | Chloride (mg/L) | EC (µmhos/cm) | TDS (mg/L) |
|---|---|---|---|---|---|---|---|---|---|---|---|---|
| **Value** | 1.00 | 0.00 | 0.10 | | | | | | | | 422.00 | 260 |
| **DL** | 1.00 | 0.50 | 0.10 | | | | | | | | 10.00 | 10 |

IW #6

Sample description: IW #6

Sample date: 12/06/2023 Source of analysis: Lab analysis

| | Total N (mg/L) | NH4-N (mg/L) | Nitrate-N (mg/L) | Calcium (mg/L) | Magnesium (mg/L) | Sodium (mg/L) | Bicarbonate (mg/L) | Carbonate (mg/L) | Sulfate (mg/L) | Chloride (mg/L) | EC (µmhos/cm) | TDS (mg/L) |
|---|---|---|---|---|---|---|---|---|---|---|---|---|
| **Value** | 7.35 | 0.00 | 1.70 | | | | | | | | 392.00 | 250 |
| **DL** | 1.00 | 0.50 | 0.10 | | | | | | | | 10.00 | 10 |

MID Canal

**Annual Report - General Order No. R5-2007-0035**
*Reporting period 01/01/2023 to 12/31/2023.*

MID Canal

MID Canal

Sample description: MID Canal

Sample date: 11/02/2023 Source of analysis: Lab analysis

| | Total N (mg/L) | NH4-N (mg/L) | Nitrate-N (mg/L) | Calcium (mg/L) | Magnesium (mg/L) | Sodium (mg/L) | Bicarbonate (mg/L) | Carbonate (mg/L) | Sulfate (mg/L) | Chloride (mg/L) | EC (µmhos/cm) | TDS (mg/L) |
|---|---|---|---|---|---|---|---|---|---|---|---|---|
| **Value** | 1.00 | 0.00 | 0.10 | | | | | | | | 38.90 | 79 |
| **DL** | 1.00 | 0.50 | 0.10 | | | | | | | | 10.00 | 10 |

## D. SOIL ANALYSES

*No soil analyses entered.*

## E. PLANT TISSUE ANALYSES

Baxter - 10/16/2022: Wheat, silage, soft dough

Winter Forage

Sample and source description: Winter Forage

Sample date: 04/26/2023 Source of analysis: Lab analysis Method of reporting: As-is

Moisture: 65.5 %

| | Total N (mg/kg) | Total P (mg/kg) | Total K (mg/kg) | Total salt (mg/kg) | TFS (%) |
|---|---|---|---|---|---|
| **Value** | 6,000.00 | 1,600.00 | 9,300.00 | | 11.60 |
| **DL** | 100.00 | 100.00 | 100.00 | | 0.01 |

Field 1 - 11/05/2022: Wheat, silage, soft dough

**Annual Report - General Order No. R5-2007-0035**
*Reporting period 01/01/2023 to 12/31/2023.*

## Field 1 - 11/05/2022: Wheat, silage, soft dough

### Winter Forage

Sample and source description: Winter Forage
Sample date: 06/01/2023 Source of analysis: Lab analysis Method of reporting: As-is
Moisture: 56.4 %

| | Total N (mg/kg) | Total P (mg/kg) | Total K (mg/kg) | Total salt (mg/kg) | TFS (%) |
|---|---|---|---|---|---|
| **Value** | 5,800.00 | 1,100.00 | 7,200.00 | | 19.40 |
| **DL** | 100.00 | 100.00 | 100.00 | | 0.01 |

## Field 1 - 06/18/2023: Corn, silage

### Corn Silage

Sample and source description: Corn Silage
Sample date: 10/18/2023 Source of analysis: Lab analysis Method of reporting: As-is
Moisture: 58.5 %

| | Total N (mg/kg) | Total P (mg/kg) | Total K (mg/kg) | Total salt (mg/kg) | TFS (%) |
|---|---|---|---|---|---|
| **Value** | 4,900.00 | 900.00 | 5,200.00 | | 4.50 |
| **DL** | 100.00 | 100.00 | 100.00 | | 0.01 |

## Field 2 - 10/25/2022: Wheat, silage, soft dough

### Winter Forage

Sample and source description: Winter Forage
Sample date: 04/26/2023 Source of analysis: Lab analysis Method of reporting: As-is
Moisture: 72.2 %

| | Total N (mg/kg) | Total P (mg/kg) | Total K (mg/kg) | Total salt (mg/kg) | TFS (%) |
|---|---|---|---|---|---|
| **Value** | 5,400.00 | 1,100.00 | 7,800.00 | | 9.90 |
| **DL** | 100.00 | 100.00 | 100.00 | | 0.01 |

**Annual Report - General Order No. R5-2007-0035**
*Reporting period 01/01/2023 to 12/31/2023.*

## Field 2 - 06/26/2023: Corn, silage

### Corn Silage

Sample and source description: Corn Silage
Sample date: 10/18/2023 Source of analysis: Lab analysis Method of reporting: As-is
Moisture: 71.2 %

| | Total N (mg/kg) | Total P (mg/kg) | Total K (mg/kg) | Total salt (mg/kg) | TFS (%) |
|---|---|---|---|---|---|
| **Value** | 3,200.00 | 700.00 | 4,900.00 | | 5.40 |
| **DL** | 100.00 | 100.00 | 100.00 | | 0.01 |

## Field 3 - 10/01/2022: Wheat, silage, soft dough

### Winter Forage

Sample and source description: Winter Forage
Sample date: 06/01/2023 Source of analysis: Lab analysis Method of reporting: As-is
Moisture: 45.3 %

| | Total N (mg/kg) | Total P (mg/kg) | Total K (mg/kg) | Total salt (mg/kg) | TFS (%) |
|---|---|---|---|---|---|
| **Value** | 9,000.00 | 1,400.00 | 9,000.00 | | 14.40 |
| **DL** | 100.00 | 100.00 | 100.00 | | 0.01 |

## Field 3 - 07/01/2023: Corn, silage

### Corn Silage

Sample and source description: Corn Silage
Sample date: 10/18/2023 Source of analysis: Lab analysis Method of reporting: As-is
Moisture: 71.9 %

| | Total N (mg/kg) | Total P (mg/kg) | Total K (mg/kg) | Total salt (mg/kg) | TFS (%) |
|---|---|---|---|---|---|
| **Value** | 3,800.00 | 600.00 | 5,100.00 | | 6.20 |
| **DL** | 100.00 | 100.00 | 100.00 | | 0.01 |

**Annual Report - General Order No. R5-2007-0035**
*Reporting period 01/01/2023 to 12/31/2023.*

## Field 4 - 09/29/2022: Wheat, silage, soft dough

### Winter Forage

Sample and source description: Winter Forage
Sample date: 04/26/2023 Source of analysis: Lab analysis Method of reporting: As-is
Moisture: 74.6 %

| | Total N (mg/kg) | Total P (mg/kg) | Total K (mg/kg) | Total salt (mg/kg) | TFS (%) |
|---|---|---|---|---|---|
| **Value** | 6,800.00 | 1,200.00 | 8,400.00 | | 11.80 |
| **DL** | 100.00 | 100.00 | 100.00 | | 0.01 |

## Field 4 - 05/29/2023: Corn, silage

### Corn Silage

Sample and source description: Corn Silage
Sample date: 10/18/2023 Source of analysis: Lab analysis Method of reporting: As-is
Moisture: 64.1 %

| | Total N (mg/kg) | Total P (mg/kg) | Total K (mg/kg) | Total salt (mg/kg) | TFS (%) |
|---|---|---|---|---|---|
| **Value** | 4,000.00 | 600.00 | 7,300.00 | | 6.30 |
| **DL** | 100.00 | 100.00 | 100.00 | | 0.01 |

## Field 5 - 10/14/2022: Wheat, silage, soft dough

### Winter Forage

Sample and source description: Winter Forage
Sample date: 06/01/2023 Source of analysis: Lab analysis Method of reporting: As-is
Moisture: 49.1 %

| | Total N (mg/kg) | Total P (mg/kg) | Total K (mg/kg) | Total salt (mg/kg) | TFS (%) |
|---|---|---|---|---|---|
| **Value** | 5,900.00 | 1,200.00 | 7,800.00 | | 11.20 |
| **DL** | 100.00 | 100.00 | 100.00 | | 0.01 |

**Annual Report - General Order No. R5-2007-0035**
*Reporting period 01/01/2023 to 12/31/2023.*

## Field 5 - 06/12/2023: Corn, silage

### Corn Silage

Sample and source description: Corn Silage
Sample date: 10/18/2023 Source of analysis: Lab analysis Method of reporting: As-is
Moisture: 64.0 %

| | Total N (mg/kg) | Total P (mg/kg) | Total K (mg/kg) | Total salt (mg/kg) | TFS (%) |
|---|---|---|---|---|---|
| **Value** | 4,400.00 | 700.00 | 7,100.00 | | 5.70 |
| **DL** | 100.00 | 100.00 | 100.00 | | 0.01 |

## Field 6 - 10/15/2022: Wheat, silage, soft dough

### Winter Forage

Sample and source description: Winter Forage
Sample date: 04/26/2023 Source of analysis: Lab analysis Method of reporting: As-is
Moisture: 44.9 %

| | Total N (mg/kg) | Total P (mg/kg) | Total K (mg/kg) | Total salt (mg/kg) | TFS (%) |
|---|---|---|---|---|---|
| **Value** | 8,800.00 | 1,700.00 | 13,100.00 | | 10.60 |
| **DL** | 100.00 | 100.00 | 100.00 | | 0.01 |

## Field 6 - 07/13/2023: Corn, silage

### Corn Silage

Sample and source description: Corn Silage
Sample date: 10/18/2023 Source of analysis: Lab analysis Method of reporting: As-is
Moisture: 74.2 %

| | Total N (mg/kg) | Total P (mg/kg) | Total K (mg/kg) | Total salt (mg/kg) | TFS (%) |
|---|---|---|---|---|---|
| **Value** | 3,800.00 | 600.00 | 4,900.00 | | 6.60 |
| **DL** | 100.00 | 100.00 | 100.00 | | 0.01 |

**Annual Report - General Order No. R5-2007-0035**
*Reporting period 01/01/2023 to 12/31/2023.*

## Field 6B - 10/15/2022: Wheat, silage, soft dough

### Winter Forage

Sample and source description: Winter Forage
Sample date: 04/26/2023 Source of analysis: Lab analysis Method of reporting: As-is
Moisture: 44.9 %

| | Total N (mg/kg) | Total P (mg/kg) | Total K (mg/kg) | Total salt (mg/kg) | TFS (%) |
|---|---|---|---|---|---|
| **Value** | 8,800.00 | 1,700.00 | 13,100.00 | | 10.60 |
| **DL** | 100.00 | 100.00 | 100.00 | | 0.01 |

## Field 6B - 07/13/2023: Corn, silage

### Corn Silage

Sample and source description: Corn Silage
Sample date: 10/18/2023 Source of analysis: Lab analysis Method of reporting: As-is
Moisture: 74.2 %

| | Total N (mg/kg) | Total P (mg/kg) | Total K (mg/kg) | Total salt (mg/kg) | TFS (%) |
|---|---|---|---|---|---|
| **Value** | 3,800.00 | 600.00 | 4,900.00 | | 6.60 |
| **DL** | 100.00 | 100.00 | 100.00 | | 0.01 |

## Field 7 - 10/14/2022: Wheat, silage, soft dough

### Winter Forage

Sample and source description: Winter Forage
Sample date: 04/26/2023 Source of analysis: Lab analysis Method of reporting: As-is
Moisture: 47.7 %

| | Total N (mg/kg) | Total P (mg/kg) | Total K (mg/kg) | Total salt (mg/kg) | TFS (%) |
|---|---|---|---|---|---|
| **Value** | 8,200.00 | 1,400.00 | 11,200.00 | | 9.50 |
| **DL** | 100.00 | 100.00 | 100.00 | | 0.01 |

**Annual Report - General Order No. R5-2007-0035**
*Reporting period 01/01/2023 to 12/31/2023.*

## Field 7 - 06/16/2023: Corn, silage

### Corn Silage

Sample and source description: Corn Silage
Sample date: 10/18/2023 Source of analysis: Lab analysis Method of reporting: As-is
Moisture: 64.9 %

| | Total N (mg/kg) | Total P (mg/kg) | Total K (mg/kg) | Total salt (mg/kg) | TFS (%) |
|---|---|---|---|---|---|
| **Value** | 4,100.00 | 900.00 | 5,500.00 | | 5.50 |
| **DL** | 100.00 | 100.00 | 100.00 | | 0.01 |

## Field 8 - 09/29/2022: Wheat, silage, soft dough

### Winter Forage

Sample and source description: Winter Forage
Sample date: 04/26/2023 Source of analysis: Lab analysis Method of reporting: As-is
Moisture: 41.5 %

| | Total N (mg/kg) | Total P (mg/kg) | Total K (mg/kg) | Total salt (mg/kg) | TFS (%) |
|---|---|---|---|---|---|
| **Value** | 11,100.00 | 1,700.00 | 12,800.00 | | 7.90 |
| **DL** | 100.00 | 100.00 | 100.00 | | 0.01 |

## Field 8 - 05/23/2023: Corn, silage

### Corn Silage

Sample and source description: Corn Silage
Sample date: 10/18/2023 Source of analysis: Lab analysis Method of reporting: As-is
Moisture: 63.6 %

| | Total N (mg/kg) | Total P (mg/kg) | Total K (mg/kg) | Total salt (mg/kg) | TFS (%) |
|---|---|---|---|---|---|
| **Value** | 4,200.00 | 800.00 | 6,400.00 | | 5.40 |
| **DL** | 100.00 | 100.00 | 100.00 | | 0.01 |

**Annual Report - General Order No. R5-2007-0035**
*Reporting period 01/01/2023 to 12/31/2023.*

Field 9 - 11/04/2022: Wheat, silage, soft dough

Winter Forage

Sample and source description: Winter Forage

Sample date: 04/26/2023 Source of analysis: Lab analysis Method of reporting: As-is

Moisture: 60.7 %

| | Total N (mg/kg) | Total P (mg/kg) | Total K (mg/kg) | Total salt (mg/kg) | TFS (%) |
|---|---|---|---|---|---|
| **Value** | 6,000.00 | 1,100.00 | 9,000.00 | | 11.40 |
| **DL** | 100.00 | 100.00 | 100.00 | | 0.01 |

Field 9 - 06/19/2023: Corn, silage

Corn Silage

Sample and source description: Corn Silage

Sample date: 10/18/2023 Source of analysis: Lab analysis Method of reporting: As-is

Moisture: 58.4 %

| | Total N (mg/kg) | Total P (mg/kg) | Total K (mg/kg) | Total salt (mg/kg) | TFS (%) |
|---|---|---|---|---|---|
| **Value** | 4,800.00 | 1,000.00 | 4,300.00 | | 5.70 |
| **DL** | 100.00 | 100.00 | 100.00 | | 0.01 |

## F. SUBSURFACE (TILE) DRAINAGE ANALYSES

*No subsurface (tile) drainage analyses entered.*

**Annual Report - General Order No. R5-2007-0035**
*Reporting period 01/01/2023 to 12/31/2023.*

NUTRIENT APPLICATIONS, POTENTIAL REMOVAL, AND BALANCE

## A. SUMMARY OF NUTRIENT APPLICATIONS, POTENTIAL REMOVAL, AND BALANCE

| | Total N (lbs) | Total P (lbs) | Total K (lbs) | Total salt (lbs) |
|---|---|---|---|---|
| Existing soil nutrient content | 0.00 | 0.00 | 0.00 | 0.00 |
| Plowdown credit | 0.00 | 0.00 | 0.00 | 0.00 |
| Commercial fertilizer / Other | 0.00 | 0.00 | 0.00 | 0.00 |
| Dry manure | 61,574.08 | 15,668.77 | 33,873.01 | 0.00 |
| Process wastewater | 252,816.05 | 48,808.64 | 330,154.97 | 1,993,569.09 |
| Fresh water | 14,089.39 | 0.00 | 0.00 | 1,104,972.10 |
| Atmospheric deposition | 9,940.00 | 0.00 | 0.00 | 0.00 |
| Total nutrients applied | 338,419.52 | 64,477.41 | 364,027.98 | 3,098,541.19 |
| Anticipated crop nutrient removal | 401,780.50 | 72,895.00 | 210,236.00 | 0.00 |
| Actual crop nutrient removal | 271,037.79 | 49,121.49 | 347,401.40 | 1,772,582.76 |
| Nutrient balance | 67,381.73 | 15,355.92 | 16,626.58 | 1,325,958.43 |
| Applied to removed ratio | 1.25 | 1.31 | 1.05 | 1.75 |

## B. POUNDS OF NUTRIENT APPLIED VS. CROP REMOVAL

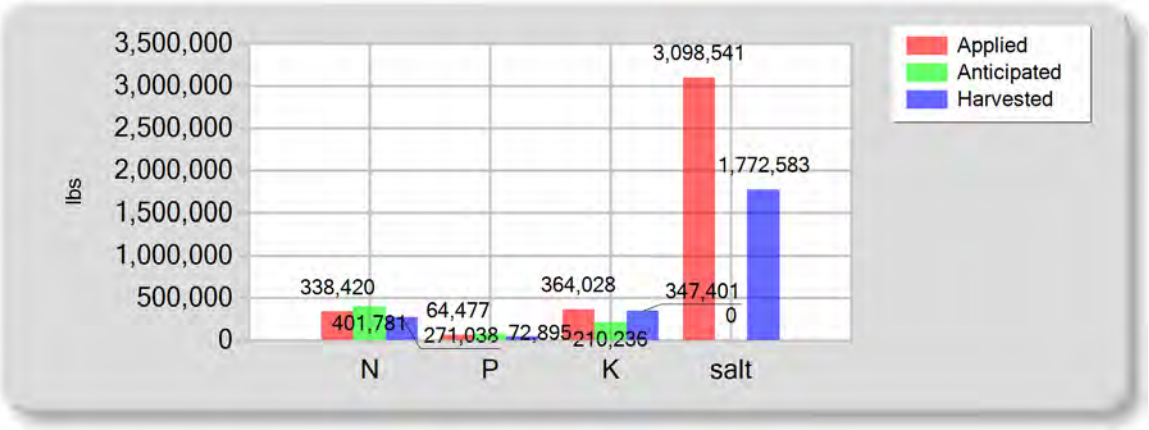

**Annual Report - General Order No. R5-2007-0035**
*Reporting period 01/01/2023 to 12/31/2023.*

**C. POUNDS OF NUTRIENT APPLIED BY MATERIAL TYPE**

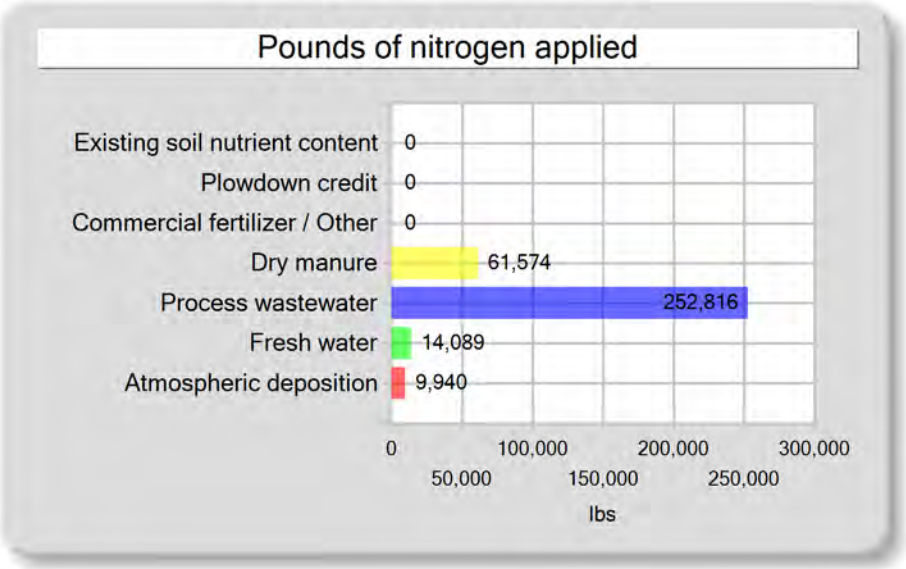


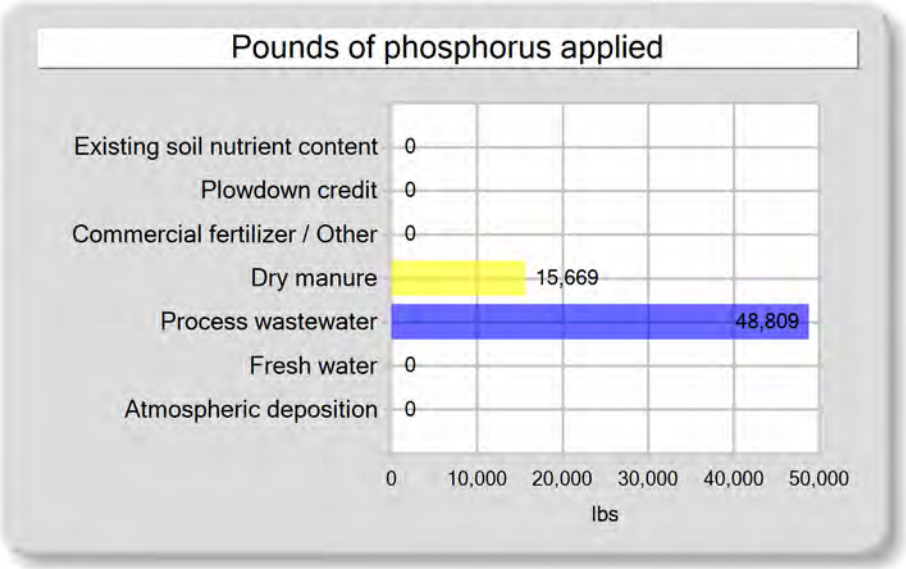


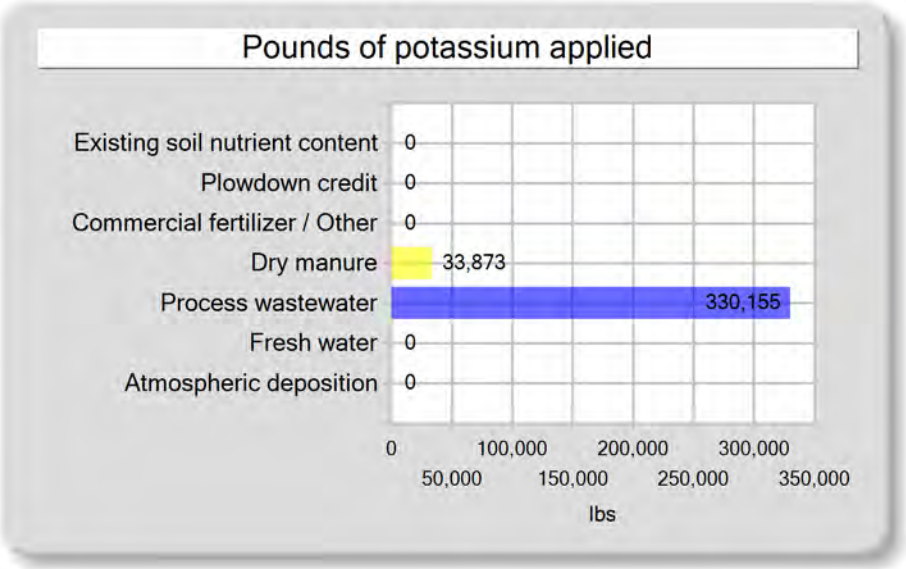


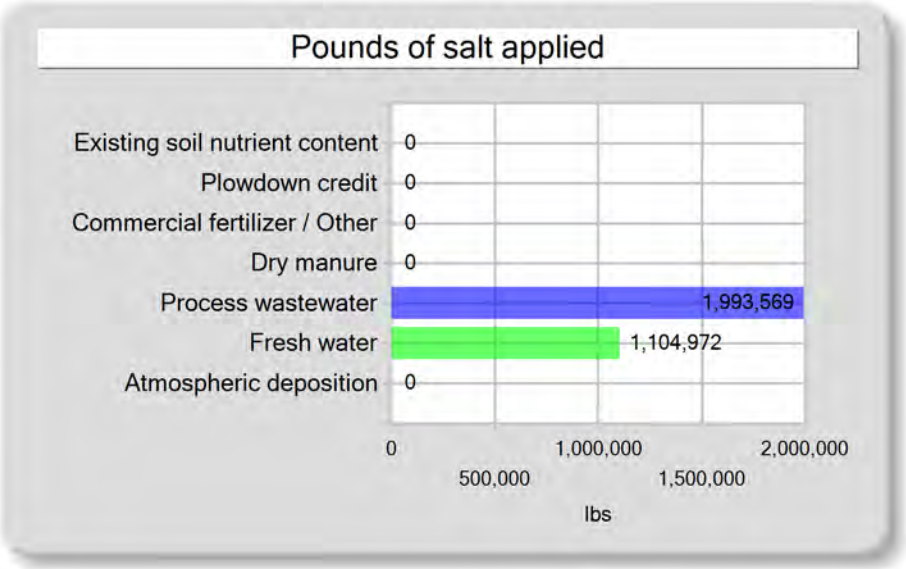

**Annual Report - General Order No. R5-2007-0035**
*Reporting period 01/01/2023 to 12/31/2023.*

## EXCEPTION REPORTING

### A. MANURE, PROCESS WASTEWATER, AND OTHER DAIRY WASTE DISCHARGES

The following is a summary of all manure and process wastewater discharges from the production area to surface water or to land areas (land application areas or otherwise) when not in accordance with the facility's Nutrient Management Plan.

*No manure or process wastewater discharges occurred during the reporting period.*

### B. STORM WATER DISCHARGES

The following is a summary of all storm water discharges from the production area to surface water during the reporting period when not in accordance with the facility 's Nutrient Management Plan.

*No stormwater discharges occurred during the reporting period.*

### C. LAND APPLICATION AREA TO SURFACE WATER DISCHARGES

The following is a summary of all discharges from the land application area to surface water that have occurred during the reporting period when not in accordance with the facility's Nutrient Management Plan.

*No land application area to surface water discharges occurred during the reporting period.*

## NUTRIENT MANAGEMENT PLAN AND EXPORT AGREEMENT STATEMENTS

### A. NUTRIENT MANAGEMENT PLAN STATEMENTS

| | |
|---|---|
| Was the facility's NMP updated in the reporting period? | No |
| Was the facility's NMP developed by a certified nutrient management planner (specialist) as specified in Attachment C of the General Order? | Yes |
| Was the facility's NMP approved by a certified nutrient management planner (specialist) as specified in Attachment C of the General Order? | Yes |

### B. EXPORT AGREEMENT STATEMENT

| | |
|---|---|
| Are there any written agreements with third parties to receive manure or process wastewater that are new or were revised within the reporting period? | No |

**Annual Report - General Order No. R5-2007-0035**
*Reporting period 01/01/2023 to 12/31/2023.*

ADDITIONAL NOTES

**A. NOTES**

Precipitation utilized during winter months to meet forage freshwater requirements.

Irrigation wells IW 2, 3, 5, & Shippee were not used or non operational in 2023. All wells will be sampled once the wells become operational and used during the cropping season. Heavy rains during the winter season allowed for a greater amount of surface water allocation to grow crops.

Fields 1 Winter Forage, 2 Winter Forage, 4 Winter Forage, 8 Winter Forage, 9 Winter Forage, Baxter Winter Forage, 2 Corn, 3 Corn, 4 Corn, 5 Corn, 7 Corn & 8 Corn had lower than anticipated removal rates. This was due to lower than expected yields and/or a lower than expected %N. The %N was based on analysis that was derived through a certified laboratory. However, the applications to these fields matched the low removal rates and was able to meet the field ratio threshold of 1.4.

Field Baxter was fallow during the summer cropping season 2023.

**Annual Report - General Order No. R5-2007-0035**
*Reporting period 01/01/2023 to 12/31/2023.*

CERTIFICATION

**A. OWNER AND/OR OPERATOR CERTIFICATION**

*I certify under penalty of law that I have personally examined and am familiar with the information submitted in this document and all attachments and that, based on my inquiry of those individuals immediately responsible for obtaining the information, I believe that the information is true, accurate, and complete. I am aware that there are significant penalties for submitting false information, including the possibility of fine and imprisonment.*

DocuSigned by:
Joe Machado
C19E1C3102D1414...

| | |
|---|---|
| SIGNATURE OF OWNER OF FACILITY | SIGNATURE OF OPERATOR OF FACILITY |
| Jose Machado | SAME AS OWNER |
| PRINT OR TYPE NAME | PRINT OR TYPE NAME |
| 6/26/2024 | |
| DATE | DATE |

**Annual Report - General Order No. R5-2007-0035**
*Reporting period 01/01/2023 to 12/31/2023.*

ATTACHMENTS

## A. REQUIRED ATTACHMENTS

The following lists the required documents that should be attached to the Annual Report when submitted .

| Annual Dairy Facility Assessment |
| --- |
| Provide an Annual Dairy Facility Assessment (an update to the Preliminary Dairy Facility Assessment in Attachment A ) for each reporting period. On the PDFA Final page, click on the ADFA Report button to generate an ADFA report after updating information as needed . |

| Manure/Process Wastewater Tracking Manifests |
| --- |
| Provide copies of all manure/process wastewater tracking manifests for the reporting period, signed by both the owner/operator and the hauler. |

| Corrective Actions Documents |
| --- |
| Provide records documenting any corrective actions taken to correct deficiencies noted as a result of the inspections required in the Monitoring Requirements of the General Order. Deficiencies not corrected in 30 days must be accompanied by an explanation of the factors preventing immediate correction. |

| Groundwater Monitoring |
| --- |
| Dischargers that monitor supply wells or subsurface (tile) drainage systems, or that have monitoring well systems must submit monitoring results as directed in the General Order, Groundwater Reporting Section starting on page MRP-13. |

| Storm Water Monitoring |
| --- |
| Dischargers that are required to monitor storm water more frequently than required in the General Order must submit monitoring results as directed in the General Order, Storm Water Reporting Section on page MRP-14. |

**Manure / Process Wastewater Tracking Manifest**
**For**
**Existing Milk Cow Dairies**

General Order No. R5-2007-0035, Attachment D

## INSTRUCTIONS

1) Complete one manifest for each hauling event, for each destination. A hauling event may last for several days, as long as the manure is being hauled to the same destination.
2) If there are multiple destinations, complete a separate form for each destination.
3) The operator must obtain the signature of the hauler upon completion of each manure/process wastewater hauling event.
4) The operator shall submit copies of manure/process wastewater tracking manifest(s) with the Annual Monitoring Report for Existing Milk Cow Dairies.

## OPERATOR INFORMATION

Name of Operator: Joe Machado

Name of Dairy Facility: 3 Machados Dairy

Facility Address:

| Number and Street | City | County | Zip Code |
|---|---|---|---|
| 3260 W Sandy Mush RD | Merced | Merced | 95340 |

Contact Person Name and Phone Number:

| Name | Phone Number |
|---|---|
| Joe Machado | (209) 383-7661 |

## MANURE HAULER INFORMATION

Name of Hauling Company/Person: Cardoso Farm Service

Address of Hauling Company/Person:

| Number and Street | City | State | Zip Code |
|---|---|---|---|
| P.O. Box 60 | Hilmar | CA | 95324 |

Contact Person:

| Name | Phone Number |
|---|---|
| Arlindo Cardoso | (209) 564-6329 |

## DESTINATION INFORMATION

Composting Facility / Broker / Farmer / Other (identify): Farmer

Contact information of Composting Facility, Broker, Farmer, or Other (as identified above):

| Name | Phone Number |
|---|---|
| Henry Tevelde | (209) 564-6329 |

| Address | City | State | Zip Code |
|---|---|---|---|
| 13640 Collier RD | Delhi | CA | 95315 |

Destination Address or Assessor's Parcel Number:

| Address | City | Zip Code |
|---|---|---|
| 13640 Collier RD | Delhi | 95315 |

| Street and nearest cross street (if no address) | County |
|---|---|
| | Merced |

| Assessor's Parcel Number | Assessor's Parcel Number County |
|---|---|
| | |

Last date hauled: 10/17/2023

**Manure / Process Wastewater Tracking Manifest**
**For**
**Existing Milk Cow Dairies**

General Order No. R5-2007-0035, Attachment D

## MANURE AMOUNT HAULED

Enter the amount of manure hauled in tons, manure solids content, and the method used to calculate the amount:

Manure: 1,704.00 tons

Manure Solids Content: 93.6 %

Method used to determine amount of manure:

Number of loads multiplied by load weight

## CERTIFICATION

I declare under penalty of law that I personally examined and am familiar with the information submitted in this document, and that based on my inquiry of those individuals immediately responsible for obtaining the information, I believe that the information is true , accurate, and complete. I am aware that there are significant penalties for submitting false information, including the possibility of a fine and imprisonment for knowing violations.

DocuSigned by:
Joe Machado
C19E1C3102D1414...
6/26/2024

Operator Signature | Date

DocuSigned by:
D1F8231289C641A...
6/26/2024

Hauler Signature | Date

**Manure / Process Wastewater Tracking Manifest**
**For**
**Existing Milk Cow Dairies**

General Order No. R5-2007-0035, Attachment D

## INSTRUCTIONS

1) Complete one manifest for each hauling event, for each destination. A hauling event may last for several days, as long as the manure is being hauled to the same destination.
2) If there are multiple destinations, complete a separate form for each destination.
3) The operator must obtain the signature of the hauler upon completion of each manure/process wastewater hauling event.
4) The operator shall submit copies of manure/process wastewater tracking manifest(s) with the Annual Monitoring Report for Existing Milk Cow Dairies.

## OPERATOR INFORMATION

Name of Operator: Joe Machado

Name of Dairy Facility: 3 Machados Dairy

Facility Address:

| Number and Street | City | County | Zip Code |
|---|---|---|---|
| 3260 W Sandy Mush RD | Merced | Merced | 95340 |

Contact Person Name and Phone Number:

| Name | Phone Number |
|---|---|
| Joe Machado | (209) 383-7661 |

## MANURE HAULER INFORMATION

Name of Hauling Company/Person: Cardoso Farm Service

Address of Hauling Company/Person:

| Number and Street | City | State | Zip Code |
|---|---|---|---|
| P.O. Box 60 | Hilmar | CA | 95324 |

Contact Person:

| Name | Phone Number |
|---|---|
| Arlindo Cardoso | (209) 564-6329 |

## DESTINATION INFORMATION

Composting Facility / Broker / Farmer / Other (identify): Farmer

Contact information of Composting Facility, Broker, Farmer, or Other (as identified above):

| Name | Phone Number |
|---|---|
| Henry Tevelde | (209) 564-6329 |

| Address | City | State | Zip Code |
|---|---|---|---|
| 13640 Collier RD | Delhi | CA | 95315 |

Destination Address or Assessor's Parcel Number:

| Address | City | Zip Code |
|---|---|---|
| 13640 Collier RD | Delhi | 95315 |

| Street and nearest cross street (if no address) | County |
|---|---|
| | Merced |

| Assessor's Parcel Number | Assessor's Parcel Number County |
|---|---|
| | |

Last date hauled: 11/07/2023

**Manure / Process Wastewater Tracking Manifest**
**For**
**Existing Milk Cow Dairies**

General Order No. R5-2007-0035, Attachment D

## MANURE AMOUNT HAULED

Enter the amount of manure hauled in tons, manure solids content, and the method used to calculate the amount:

Manure: 1,344.00 tons

Manure Solids Content: 93.6 %

Method used to determine amount of manure:

Number of loads multiplied by load weight

## CERTIFICATION

I declare under penalty of law that I personally examined and am familiar with the information submitted in this document, and that based on my inquiry of those individuals immediately responsible for obtaining the information, I believe that the information is true , accurate, and complete. I am aware that there are significant penalties for submitting false information, including the possibility of a fine and imprisonment for knowing violations.

DocuSigned by:
Joe Machado
C19E1C3102D1414...
Operator Signature — Date: 6/26/2024

DocuSigned by:
B1F8231289C641A...
Hauler Signature — Date: 6/26/2024

DocuSign Envelope ID: F8828B46-1CFF-48E6-B0F9-A467DB7F5BF4

DELLAVALLE™
LABORATORY INC

3 Machados Dairy
3412 W Sandy Mush Road
Merced, CA 95341

Account# 00-0022209
Account Manager: Ben Nydam
Submitted By:

Received: 11/02/2023 16:00
Reported: 11/14/2023 10:45

## Samples in this Report

| Lab ID | Sample | Matrix | Sampled By | Crop | Date Sampled |
|---|---|---|---|---|---|
| 23K0151-01 | Mid Canal | Ag Water | FR Ag Services | Fresh Water | 11/02/2023 10:45 |

Default Cooler Temperature on Receipt °C: 1.7
Containers Intact
COC/Labels Agree
Received On Ice

## Notes and Definitions

| Item | Definition |
|---|---|
| H | Hold Time Exceeded |
| MCL | Drinking Water Maximum Contaminant Level |
| ND | Analyte NOT DETECTED at or above the reporting limit. |
| NES | Not Enough Sample |
| * | Not Taken |
| RPD | Relative Percent Difference |
| %REC | Percent Recovery |
| Source | Sample that was matrix spiked or duplicated. |

Scott McFriedland

Laboratory Director/Technical Manager

ELAP Certification #1595
A2LA Certification #6440.02

*The results in this report apply to the samples as received and were analyzed in accordance with the chain of custody document. This analytical report must be reproduced in its entirety. All results listed in this report are for the exclusive use of the submitting party. Dellavalle Laboratory, Inc. assumes no responsibility for report alteration, separation, detachment or third party interpretation.*

DELLAVALLE™ LABORATORY INC

3 Machados Dairy
3412 W Sandy Mush Road
Merced, CA 95341

Account# 00-0022209
Account Manager: Ben Nydam
Submitted By:

Received: 11/02/2023 16:00
Reported: 11/14/2023 10:45

## Sample Results

**Sample: Mid Canal**
**23K0151-01 (Water)**

Sampled: 11/2/2023 10:45
Sampled By: FR Ag Services

| Analyte | Result | Units | Reporting Limit | DIL | DW MCL | Date/Time Analyzed | Method | Notes | Batch |
|---|---|---|---|---|---|---|---|---|---|
| **Electrical Conductivity** | **0.04** | mmhos/cm | 0.01 | 1 | | 11/06/23 10:29 | SM 2510 B | | BEK0126 |
| **Electrical Conductivity umhos** | **38.9** | umhos/cm | 10.0 | 1 | | 11/06/23 10:29 | SM 2510 B | | BEK0126 |
| Nitrate Nitrogen as NO3N | ND | mg/L | 0.1 | 1 | 10 | 11/03/23 21:52 | EPA 300.0 | | BEK0071 |
| **Temperature** | **25.0** | units | 0.0 | 1 | | 11/06/23 10:29 | SM 4500-H+ | H | BEK0126 |
| **pH** | **7.0** | units | 1.0 | 1 | | 11/06/23 10:29 | SM 4500-H+ | H | BEK0126 |
| **Total Filterable Solids (TDS)** | **79.0** | mg/L | 10.0 | 1 | | 11/06/23 14:33 | SM 2540 C | | BEK0103 |
| Kjeldahl Nitrogen (TKN), Total | ND | mg/L | 1.00 | 1 | | 11/08/23 08:40 | SM 4500-NH3 C | | BEK0101 |
| Total Nitrogen | ND | mg/L | 1.00 | 1 | | 11/08/23 08:40 | SM 4500-NH3 C | | BEK0101 |

*The results in this report apply to the samples as received and were analyzed in accordance with the chain of custody document. This analytical report must be reproduced in its entirety. All results listed in this report are for the exclusive use of the submitting party. Dellavalle Laboratory, Inc. assumes no responsibility for report alteration, separation, detachment or third party interpretation.*

DocuSign Envelope ID: F8828B46-1CFF-48E6-B0F9-A467DB7F5BF4

DELLAVALLE™ LABORATORY INC

3 Machados Dairy
3412 W Sandy Mush Road
Merced, CA 95341

Account# 00-0022209
Account Manager: Ben Nydam
Submitted By:

Received: 11/02/2023 16:00
Reported: 11/14/2023 10:45

## Quality Control

| Analyte | Result | Qual | Reporting Limit | Units | Spike Level | Source Result | %REC | %REC Limits | RPD | RPD Limit |
|---|---|---|---|---|---|---|---|---|---|---|
| ***Batch: BEK0071*** | | | | | | | | | | |
| **Blank (BEK0071-BLK1)** | | | | | Prepared & Analyzed: 11/3/2023 | | | | | |
| Nitrate Nitrogen as NO3N | ND | | 0.1 | mg/L | | | | | | |
| **Blank (BEK0071-BLK2)** | | | | | Prepared & Analyzed: 11/3/2023 | | | | | |
| Nitrate Nitrogen as NO3N | ND | | 0.1 | mg/L | | | | | | |
| **Blank (BEK0071-BLK3)** | | | | | Prepared & Analyzed: 11/4/2023 | | | | | |
| Nitrate Nitrogen as NO3N | ND | | 0.1 | mg/L | | | | | | |
| **LCS (BEK0071-BS1)** | | | | | Prepared & Analyzed: 11/3/2023 | | | | | |
| Nitrate Nitrogen as NO3N | 5.1 | | 0.1 | mg/L | 5.000 | | 102 | 90-110 | | |
| **LCS (BEK0071-BS2)** | | | | | Prepared & Analyzed: 11/4/2023 | | | | | |
| Nitrate Nitrogen as NO3N | 5.2 | | 0.1 | mg/L | 5.000 | | 105 | 90-110 | | |
| **Duplicate (BEK0071-DUP1)** | | **Source: 23K0150-01** | | | Prepared & Analyzed: 11/4/2023 | | | | | |
| Nitrate Nitrogen as NO3N | 0.8 | | 0.1 | mg/L | | 0.8 | | | 1.07 | 10 |
| **Duplicate (BEK0071-DUP2)** | | **Source: 23K0153-03** | | | Prepared & Analyzed: 11/4/2023 | | | | | |
| Nitrate Nitrogen as NO3N | 8.2 | | 0.1 | mg/L | | 8.2 | | | 0.451 | 10 |
| **Matrix Spike (BEK0071-MS1)** | | **Source: 23K0150-01** | | | Prepared & Analyzed: 11/3/2023 | | | | | |
| Nitrate Nitrogen as NO3N | 6.0 | | 0.1 | mg/L | 5.000 | 0.8 | 103 | 90-110 | | |
| **Matrix Spike (BEK0071-MS2)** | | **Source: 23K0153-03** | | | Prepared & Analyzed: 11/4/2023 | | | | | |
| Nitrate Nitrogen as NO3N | 13.3 | | 0.1 | mg/L | 5.000 | 8.2 | 103 | 90-110 | | |
| **Reference (BEK0071-SRM1)** | | | | | Prepared & Analyzed: 11/3/2023 | | | | | |
| Nitrate Nitrogen as NO3N | 10.2 | | | mg/L | 10.00 | | 102 | 90-110 | | |
| **Reference (BEK0071-SRM2)** | | | | | Prepared & Analyzed: 11/4/2023 | | | | | |
| Nitrate Nitrogen as NO3N | 10.4 | | | mg/L | 10.00 | | 104 | 90-110 | | |
| **Reference (BEK0071-SRM3)** | | | | | Prepared & Analyzed: 11/4/2023 | | | | | |
| Nitrate Nitrogen as NO3N | 10.3 | | | mg/L | 10.00 | | 103 | 90-110 | | |

*The results in this report apply to the samples as received and were analyzed in accordance with the chain of custody document. This analytical report must be reproduced in its entirety. All results listed in this report are for the exclusive use of the submitting party. Dellavalle Laboratory, Inc. assumes no responsibility for report alteration, separation, detachment or third party interpretation.*

DELLAVALLE™ LABORATORY INC

3 Machados Dairy
3412 W Sandy Mush Road
Merced, CA 95341

Account# 00-0022209
Account Manager: Ben Nydam
Submitted By:

Received: 11/02/2023 16:00
Reported: 11/14/2023 10:45

## Quality Control
**(Continued)**

| Analyte | Result | Qual | Reporting Limit | Units | Spike Level | Source Result | %REC | %REC Limits | RPD | RPD Limit |
|---|---|---|---|---|---|---|---|---|---|---|
| ***Batch: BEK0101*** | | | | | | | | | | |
| **Blank (BEK0101-BLK1)** | | | | | Prepared: 11/3/2023 | Analyzed: 11/7/2023 | | | | |
| Kjeldahl Nitrogen (TKN), Total | ND | | 1.00 | mg/L | | | | | | |
| Total Nitrogen | ND | | 1.00 | mg/L | | | | | | |
| **Blank (BEK0101-BLK2)** | | | | | Prepared: 11/3/2023 | Analyzed: 11/7/2023 | | | | |
| Kjeldahl Nitrogen (TKN), Total | ND | | 1.00 | mg/L | | | | | | |
| Total Nitrogen | ND | | 1.00 | mg/L | | | | | | |
| **LCS (BEK0101-BS1)** | | | | | Prepared: 11/3/2023 | Analyzed: 11/7/2023 | | | | |
| Kjeldahl Nitrogen (TKN), Total | 5.34 | | 1.00 | mg/L | 5.709 | | 93.5 | 90-110 | | |
| **LCS (BEK0101-BS2)** | | | | | Prepared: 11/3/2023 | Analyzed: 11/8/2023 | | | | |
| Kjeldahl Nitrogen (TKN), Total | 5.23 | | 1.00 | mg/L | 5.709 | | 91.6 | 90-110 | | |
| **Duplicate (BEK0101-DUP1)** | | **Source: 23K0002-01** | | | Prepared: 11/3/2023 | Analyzed: 11/7/2023 | | | | |
| Kjeldahl Nitrogen (TKN), Total | 157 | | 3.50 | mg/L | | 153 | | | 2.81 | 10 |
| **Duplicate (BEK0101-DUP2)** | | **Source: 23K0161-02** | | | Prepared: 11/3/2023 | Analyzed: 11/8/2023 | | | | |
| Kjeldahl Nitrogen (TKN), Total | 198 | | 3.50 | mg/L | | 197 | | | 0.726 | 10 |
| **Matrix Spike (BEK0101-MS1)** | | **Source: 23K0002-01** | | | Prepared: 11/3/2023 | Analyzed: 11/7/2023 | | | | |
| Kjeldahl Nitrogen (TKN), Total | 213 | | 3.50 | mg/L | 9.990 | 153 | 602 | 90-110 | | |
| **Matrix Spike (BEK0101-MS2)** | | **Source: 23K0161-02** | | | Prepared: 11/3/2023 | Analyzed: 11/8/2023 | | | | |
| Kjeldahl Nitrogen (TKN), Total | 196 | | 3.50 | mg/L | 9.990 | 197 | NR | 90-110 | | |
| **Reference (BEK0101-SRM1)** | | | | | Prepared: 11/3/2023 | Analyzed: 11/8/2023 | | | | |
| Kjeldahl Nitrogen (TKN), Total | 20.9 | | | mg/L | 23.80 | | 87.6 | 90-110 | | |

*The results in this report apply to the samples as received and were analyzed in accordance with the chain of custody document. This analytical report must be reproduced in its entirety. All results listed in this report are for the exclusive use of the submitting party. Dellavalle Laboratory, Inc. assumes no responsibility for report alteration, separation, detachment or third party interpretation.*

DELLAVALLE™ LABORATORY INC

3 Machados Dairy
3412 W Sandy Mush Road
Merced, CA 95341

Account# 00-0022209
Account Manager: Ben Nydam
Submitted By:

Received: 11/02/2023 16:00
Reported: 11/14/2023 10:45

## Quality Control
**(Continued)**

| Analyte | Result | Qual | Reporting Limit | Units | Spike Level | Source Result | %REC | %REC Limits | RPD | RPD Limit |
|---|---|---|---|---|---|---|---|---|---|---|
| ***Batch: BEK0103*** | | | | | | | | | | |
| **Blank (BEK0103-BLK1)** | | | | | Prepared: 11/3/2023 | Analyzed: 11/6/2023 | | | | |
| Total Filterable Solids (TDS) | ND | | 10.0 | mg/L | | | | | | |
| **LCS (BEK0103-BS1)** | | | | | Prepared: 11/3/2023 | Analyzed: 11/6/2023 | | | | |
| Total Filterable Solids (TDS) | 53.8 | | 10.0 | mg/L | 2000 | | 2.69 | 0-200 | | |
| **Duplicate (BEK0103-DUP1)** | | | **Source: 23K0150-01** | | Prepared: 11/3/2023 | Analyzed: 11/6/2023 | | | | |
| Total Filterable Solids (TDS) | 250 | | 10.0 | mg/L | | 250 | | | 0.00 | 10 |
| **Duplicate (BEK0103-DUP2)** | | | **Source: 23K0153-02** | | Prepared: 11/3/2023 | Analyzed: 11/6/2023 | | | | |
| Total Filterable Solids (TDS) | 315 | | 10.0 | mg/L | | 320 | | | 1.57 | 10 |
| **Reference (BEK0103-SRM1)** | | | | | Prepared: 11/3/2023 | Analyzed: 11/6/2023 | | | | |
| Total Filterable Solids (TDS) | 330 | | | mg/L | 325.0 | | 102 | 90-110 | | |

*The results in this report apply to the samples as received and were analyzed in accordance with the chain of custody document. This analytical report must be reproduced in its entirety. All results listed in this report are for the exclusive use of the submitting party. Dellavalle Laboratory, Inc. assumes no responsibility for report alteration, separation, detachment or third party interpretation.*

DELLAVALLE™ LABORATORY INC

3 Machados Dairy
3412 W Sandy Mush Road
Merced, CA 95341

Account# 00-0022209
Account Manager: Ben Nydam
Submitted By:

Received: 11/02/2023 16:00
Reported: 11/14/2023 10:45

## Quality Control
**(Continued)**

| Analyte | Result | Qual | Reporting Limit | Units | Spike Level | Source Result | %REC | %REC Limits | RPD | RPD Limit |
|---|---|---|---|---|---|---|---|---|---|---|
| ***Batch: BEK0126*** | | | | | | | | | | |
| **Blank (BEK0126-BLK1)** | | | | | Prepared: 11/3/2023 | Analyzed: 11/6/2023 | | | | |
| Temperature | 25.0 | | 0.0 | units | | | | | | |
| Electrical Conductivity | ND | | 0.01 | mmhos/cm | | | | | | |
| Electrical Conductivity umhos | ND | | 10.0 | umhos/cm | | | | | | |
| pH | 5.4 | | 1.0 | units | | | | | | |
| **Blank (BEK0126-BLK2)** | | | | | Prepared: 11/3/2023 | Analyzed: 11/6/2023 | | | | |
| Temperature | 25.0 | | 0.0 | units | | | | | | |
| Electrical Conductivity | ND | | 0.01 | mmhos/cm | | | | | | |
| pH | 5.8 | | 1.0 | units | | | | | | |
| Electrical Conductivity umhos | ND | | 10.0 | umhos/cm | | | | | | |
| **Blank (BEK0126-BLK3)** | | | | | Prepared: 11/3/2023 | Analyzed: 11/6/2023 | | | | |
| Temperature | 25.0 | | 0.0 | units | | | | | | |
| Electrical Conductivity | ND | | 0.01 | mmhos/cm | | | | | | |
| pH | 5.8 | | 1.0 | units | | | | | | |
| Electrical Conductivity umhos | ND | | 10.0 | umhos/cm | | | | | | |
| **Duplicate (BEK0126-DUP1)** | | **Source: 23K0150-01** | | | Prepared: 11/3/2023 | Analyzed: 11/6/2023 | | | | |
| Electrical Conductivity | 0.41 | | 0.01 | mmhos/cm | | 0.42 | | | 1.20 | 10 |
| pH | 7.9 | | 1.0 | units | | 7.9 | | | 0.00 | 10 |
| Electrical Conductivity umhos | 414 | | 10.0 | umhos/cm | | 420 | | | 1.20 | 10 |
| **Duplicate (BEK0126-DUP2)** | | **Source: 23K0159-01** | | | Prepared: 11/3/2023 | Analyzed: 11/6/2023 | | | | |
| Electrical Conductivity | 0.76 | | 0.01 | mmhos/cm | | 0.76 | | | 0.0394 | 10 |
| Electrical Conductivity umhos | 761 | | 10.0 | umhos/cm | | 761 | | | 0.0394 | 10 |
| pH | 7.7 | | 1.0 | units | | 7.7 | | | 0.130 | 10 |
| **Reference (BEK0126-SRM1)** | | | | | Prepared: 11/3/2023 | Analyzed: 11/6/2023 | | | | |
| Electrical Conductivity | 517 | | | umhos/cm | 538.0 | | 96.1 | 90-110 | | |
| **Reference (BEK0126-SRM2)** | | | | | Prepared: 11/3/2023 | Analyzed: 11/6/2023 | | | | |
| pH | 7.5 | | | units | 7.520 | | 99.6 | 67021-101.32 | | |
| **Reference (BEK0126-SRM3)** | | | | | Prepared: 11/3/2023 | Analyzed: 11/6/2023 | | | | |
| Electrical Conductivity | 961 | | | umhos/cm | 1000 | | 96.1 | 90-110 | | |
| Electrical Conductivity umhos | 961 | | | umhos/cm | 1000 | | 96.1 | 90-110 | | |
| **Reference (BEK0126-SRM4)** | | | | | Prepared: 11/3/2023 | Analyzed: 11/6/2023 | | | | |
| Electrical Conductivity | 960 | | | umhos/cm | 1000 | | 96.0 | 90-110 | | |
| Electrical Conductivity umhos | 960 | | | umhos/cm | 1000 | | 96.0 | 90-110 | | |
| **Reference (BEK0126-SRM5)** | | | | | Prepared: 11/3/2023 | Analyzed: 11/6/2023 | | | | |
| Electrical Conductivity | 965 | | | umhos/cm | 1000 | | 96.5 | 90-110 | | |

*The results in this report apply to the samples as received and were analyzed in accordance with the chain of custody document. This analytical report must be reproduced in its entirety. All results listed in this report are for the exclusive use of the submitting party. Dellavalle Laboratory, Inc. assumes no responsibility for report alteration, separation, detachment or third party interpretation.*

DELLAVALLE™ LABORATORY INC

3 Machados Dairy
3412 W Sandy Mush Road
Merced, CA 95341

Account# 00-0022209
Account Manager: Ben Nydam
Submitted By:

Received: 11/02/2023 16:00
Reported: 11/14/2023 10:45

## Quality Control
**(Continued)**

| Analyte | Result | Qual | Reporting Limit | Units | Spike Level | Source Result | %REC | %REC Limits | RPD | RPD Limit |
|---|---|---|---|---|---|---|---|---|---|---|
| ***Batch: BEK0126 (Continued)*** | | | | | | | | | | |
| **Reference (BEK0126-SRM5)** | | | | | Prepared: 11/3/2023 | Analyzed: 11/6/2023 | | | | |
| Electrical Conductivity umhos | 965 | | | umhos/cm | 1000 | | 96.5 | 90-110 | | |
| **Reference (BEK0126-SRM6)** | | | | | Prepared: 11/3/2023 | Analyzed: 11/6/2023 | | | | |
| pH | 4.0 | | | units | 4.000 | | 100 | 97.5-102.5 | | |
| **Reference (BEK0126-SRM7)** | | | | | Prepared: 11/3/2023 | Analyzed: 11/6/2023 | | | | |
| pH | 4.0 | | | units | 4.000 | | 100 | 97.5-102.5 | | |
| **Reference (BEK0126-SRM8)** | | | | | Prepared: 11/3/2023 | Analyzed: 11/6/2023 | | | | |
| pH | 4.0 | | | units | 4.000 | | 100 | 97.5-102.5 | | |

*The results in this report apply to the samples as received and were analyzed in accordance with the chain of custody document. This analytical report must be reproduced in its entirety. All results listed in this report are for the exclusive use of the submitting party. Dellavalle Laboratory, Inc. assumes no responsibility for report alteration, separation, detachment or third party interpretation.*

# WATER WORK REQUEST

DELLAVALLE LABORATORY, INC.
1910 W. McKinley Avenue, Suite 110 • Fresno, CA 93728
www.dellavallelab.com 559 233-6129 · 800 228-9896 · Fax 559 268-8174

No. Samples: 1 No of Bottles: 2

Purchase Order No

Bill To: Acct # 22209 Cons # 8

Results Need By

**Water Type:** [ ] Drinking Water [ ] Wastewater
[X] Ag Water [ ] Groundwater [ ] Monitoring Well

**Name:** 3 Machados Dairy
**Address:** 3412 W Sandy Mush Road
**City:** Merced **State:** CA **Zip:** 95341
**Telephone:** **Fax:**
**Cell/Email:** jandemachado@sbcglobal.net
**COPY TO:** krhodes@fragservices.com
ariordan@fragservices.com
**REQUESTED BY:**
**PROJECT:**
**CROP:** FRESHWATER

[X] Copy of Chain [X] QA/QC Documents
Sampled By: FR Ag Services

**Other:**

**Analysis and Bottles Required: (*Please indicate Analysis*)**

( ) DWW1: EC, $NO_3$-N NH4-N Field Test
(1-1 Liter Plastic, Unpreserved) White Per Sample
( ) DWW2: DWW1 Plus $SO_4$, $CO_3$, $HCO_3$, Cl, Ca, Mg, Na, TDS
(1-1 Liter Plastic, Unpreserved) White Per Sample
(X) DCW1: EC, $NO_3$-N, TKN, TN, TDS
(1-1 Liter Plastic, Unpreserved) White Per Sample
( ) DPW1: EC, $NO_3$-N, $NH_4$-N, TKN, TDS, TP, TK
(1-1 Liter Plastic, Unpreserved) White Per Sample
( ) DPW2: DPW1 Plus Ca, Mg, Na, $HCO_3$, $CO_3$, $SO_4$, Cl
(1-1 Liter Plastic, Unpreserved) White Per Sample
( ) Other

| | Description of Samples | Date Sampled | Time Sampled | Rec'd Temp °C | Field $NH_4$-N |
|---|---|---|---|---|---|
| 1 | MID CANAL | 11/2 | 1045 | 17 | |
| 2 | | | | | |
| 3 | | | | | |
| 4 | | | | | |
| 5 | | | | | |
| 6 | | | | | |
| 7 | | 19 | | | |
| 8 | | | | | |
| 9 | | | | | |
| 10 | | | | | |

11/02/23 16:00 23K0151

IR Thermometer SN: 200560723
Correction Factor: 0°C
Calibration Due: 12/22/2023
Location: Laboratory

**CHAIN OF CUSTODY**

| Carrier | Signature | Company | Received (Date/Time) | Relinquished (Date/Time) |
|---|---|---|---|---|
| First | Kierstan Rhodes | FR Ag Services | 11/2 1045 | |
| Second | JLF | DLV | 11-2-23 2:00 | 11-2-23 3:45 |
| Third | [illegible] | DLV | 11/2 [illegible] | |
| Fourth | | | | |

I guarantee that as the client, or on behalf of client named, I have the authority to contract the above requested services. Should it be found that I do not have such authority, I agree to be personally liable for all costs and, if there should be action against me for this breach, reasonable attorneys' fees. It is understood that payment is expected to be cash with samples unless terms have been previously arranged. Terms are net 30 days; overdue accounts will be charged a liquidated damage fee of 2% per month (annually 24%) or $5.00 per month whichever is greater.

If payment is not made when due and a legitimate dispute exists concerning the product or services of Dellavalle Laboratory, Inc., it will be submitted to mediation under the Rules and Procedures of Creative Alternative to Litigation, Inc. (*cal*). If the dispute is not resolved in mediation, then the dispute will be submitted to binding arbitration through *cal* under its Rules and Procedures. The parties will equally bear the costs of mediation/arbitration. If, however, the mediator declares that no legitimate dispute exists, then debtor will pay all mediation and arbitration costs, and in the event of arbitration, reasonable attorneys' fees of Dellavalle Laboratory.

***Invoicing Information:***
Sampling hrs
Miles
Consulting

***Shipping***
$ In
$ Out

| Amt Paid | Rec By | Check # | Date |
|---|---|---|---|
| | | | |

**Signature**

Sample received in cooler with ice (coolant)
[ ] Yes [ ] No

X:\1-CLIENT CUSTOM FIELDSHEETS\FIELDSHEETS\Dairy Fieldsheets\[3 Machados Dairy Water.xls]Dairy Water

DocuSign Envelope ID: F8828B46-1CFF-48E6-B0F9-A467DB7F5BF4

11/02/23 16:00 23K0151

**Shipping Information:** Shipped In ☐ Picked-Up ☒ Walk In ☐ DLI Sampler ☐ Other ☐ _____

☐ Samples refridgerated before pick up ☐ Picked up samples placed in Ice chest

**Container:** Ice Chest ☒ Box ☐ None ☐ **Refrigerant:** Wet Ice ☒ Blue Ice ☐ None ☐

**Samples Preserved with $HNO_3$ or $H_2SO_4$ were:** ☐ Received Preserved ☒ Preserved Upon Receipt at Laboratory

| | Type of Container(s) Received | Sample Number 1 | 2 | 3 | 4 | 5 | 6 | 7 | 8 | 9 | 10 |
|---|---|---|---|---|---|---|---|---|---|---|---|
| | **Sample Containers for Internal (DLI) Use** *(Containers that go into the Lab)* | | | | | | | | | | |
| Plastics | 100 mL sterile plastic $Na_2S_2O_3$ (Green) | | | | | | | | | | |
| Plastics | 250 mL unpreserved (White) Plastic | | | | | | | | | | |
| Plastics | 250 mL $HNO_3$ (Red) Plastic | | | | | | | | | | |
| Plastics | * pH Value | | | | | | | | | | |
| Plastics | 250 mL $H_2SO_4$ (Yellow) Plastic | 1 | | | | | | | | | |
| Plastics | * pH Value | 2 | | | | | | | | | |
| Plastics | 500 mL unpreserved (White) Plastic | | | | | | | | | | |
| Plastics | 1 L unpreserved (White) Plastic | 1 | | | | | | | | | |
| Plastics | 1 L unpreserved (BOD) (Purple) Plastic | | | | | | | | | | |
| Special | 500mL unpreserved (White) Glass | | | | | | | | | | |
| Special | PO4-P Kit | | | | | | | | | | |
| Special | **Other:** | | | | | | | | | | |
| | **Sample Containers for Subcontracted ("Send Out") Analyses** *(Containers that go in the Subcontract ("Send Out") Refrigerator)* | | | | | | | | | | |
| Plastics | 100 mL sterile plastic $Na_2S_2O_3$ (Green) | | | | | | | | | | |
| Plastics | 250 mL unpreserved (White) Plastic | | | | | | | | | | |
| Plastics | 250 mL $HNO_3$ (Red) Plastic | | | | | | | | | | |
| Plastics | 250 mL $H_2SO_4$ (Yellow) Plastic | | | | | | | | | | |
| Plastics | 500 mL $HNO_3$ (Red) | | | | | | | | | | |
| Plastics | 1 L unpreserved (White) Plastic | | | | | | | | | | |
| Plastics | 1 L unpreserved (BOD) (Purple) Plastic | | | | | | | | | | |
| Plastics | 1 L $HNO_3$ (Red) | | | | | | | | | | |
| VOA Vials | 40 mL VOA, $Na_2S_2O_3$ + MCAA (EPA531) | | | | | | | | | | |
| VOA Vials | 40 mL VOA, $Na_2S_2O_3$ (EPA547) | | | | | | | | | | |
| VOA Vials | 40mL AG VOA unpreserved (White) (Set of 3) | | | | | | | | | | |
| VOA Vials | 40 mL AG VOA, $Na_2S_2O_3$ (Green) (Set of 3) | | | | | | | | | | |
| VOA Vials | 40mL VOA, $H_3PO_4$ (Set of 3) | | | | | | | | | | |
| VOA Vials | 40 mL VOA, HCl (Blue) (Set of 3) | | | | | | | | | | |
| VOA Vials | 40 mL VOA, $Na_2S_2O_3$ (Green) (Set of 3) | | | | | | | | | | |
| Glass | 250 mL AG unpreserved (White) | | | | | | | | | | |
| Glass | 250 mL AG $H_2SO_4$ (Yellow) | | | | | | | | | | |
| Glass | 250 mL AG $Na_2S_2O_3$ (Green) | | | | | | | | | | |
| Glass | 250 mL AG $Na_2S_2O_3$ + MCAA | | | | | | | | | | |
| Glass | 500 mL glass unpreserved (White) | | | | | | | | | | |
| Glass | 500 mL AG HCl (Blue) | | | | | | | | | | |
| Glass | 1 L AG unpreserved (White) | | | | | | | | | | |
| Glass | 1 L AG $H_2SO_4$ (Yellow) | | | | | | | | | | |
| Glass | 1 L AG $Na_2S_2O_3$ (Green) | | | | | | | | | | |
| Glass | 1 L AG HCl (Blue) | | | | | | | | | | |
| Special | $Cr^{6+}$ - 50mL Plastic w/Borate/$HCO_3$/$CO_3$ | | | | | | | | | | |
| Special | Cyanide - 500 mL NaOH | | | | | | | | | | |
| Special | Asbestos - 1L P wrapped in foil (Set of 2) | | | | | | | | | | |
| Special | Sulfide - 1 L **AG** or **P** NaOH + ZnAc | | | | | | | | | | |
| Special | Chlorite/Bromate - 250 mL AG with EDA | | | | | | | | | | |
| Special | HAA5 - 250mL AG Ammonium Chlorite | | | | | | | | | | |
| Special | DO KIT | | | | | | | | | | |
| Special | **Other:** | | | | | | | | | | |
| Special | **Other:** | | | | | | | | | | |

pH Strips
Lot: 10BDH4501 Exp: Jan 2025

SEND OUT

DocuSign Envelope ID: F8828B46-1CFF-48E6-B0F9-A467DB7F5BF4

DELLAVALLE™
LABORATORY INC

3 Machados Dairy
3412 W Sandy Mush Road
Merced, CA 95341

Account# 00-0022209
Account Manager: Ben Nydam
Submitted By:

Received: 12/06/2023 14:00
Reported: 12/11/2023 10:05

## Samples in this Report

| Lab ID | Sample | Matrix | Sampled By | Crop | Date Sampled |
|---|---|---|---|---|---|
| 23L0322-01 | IW 1 | Canal Water | Erica | Irrigation Wells | 12/06/2023 7:30 |
| 23L0322-02 | IW 6 | Canal Water | Erica | Irrigation Wells | 12/06/2023 7:45 |

Default Cooler Temperature on Receipt °C: -2.4

Containers Intact
COC/Labels Agree
Preservation Confirmed
Received On Ice

## Notes and Definitions

| Item | Definition |
|---|---|
| H | Hold Time Exceeded |
| MCL | Drinking Water Maximum Contaminant Level |
| ND | Analyte NOT DETECTED at or above the reporting limit. |
| NES | Not Enough Sample |
| * | Not Taken |
| RPD | Relative Percent Difference |
| %REC | Percent Recovery |
| Source | Sample that was matrix spiked or duplicated. |

Scott McFriedland

Laboratory Director/Technical Manager

ELAP Certification #1595
A2LA Certification #6440.02

*The results in this report apply to the samples as received and were analyzed in accordance with the chain of custody document. This analytical report must be reproduced in its entirety. All results listed in this report are for the exclusive use of the submitting party. Dellavalle Laboratory, Inc. assumes no responsibility for report alteration, separation, detachment or third party interpretation.*

DocuSign Envelope ID: F8828B46-1CFF-48E6-B0F9-A467DB7F5BF4

DELLAVALLE™ LABORATORY INC

3 Machados Dairy
3412 W Sandy Mush Road
Merced, CA 95341

Account# 00-0022209
Account Manager: Ben Nydam
Submitted By:

Received: 12/06/2023 14:00
Reported: 12/11/2023 10:05

## Sample Results

**Sample: IW 1**
**23L0322-01 (Water)**

Sampled: 12/6/2023 7:30
Sampled By: Erica

| Analyte | Result | Units | Reporting Limit | DIL | DW MCL | Date/Time Analyzed | Method | Notes | Batch |
|---|---|---|---|---|---|---|---|---|---|
| **Electrical Conductivity** | **0.42** | mmhos/cm | 0.01 | 1 | | 12/08/23 15:19 | SM 2510 B | | BEL0258 |
| **Electrical Conductivity umhos** | **422** | umhos/cm | 10.0 | 1 | | 12/08/23 15:19 | SM 2510 B | | BEL0258 |
| Nitrate Nitrogen as NO3N | ND | mg/L | 0.1 | 1 | 10 | 12/06/23 23:31 | EPA 300.0 | | BEL0162 |
| **Temperature** | **25.0** | units | 0.0 | 1 | | 12/08/23 15:19 | SM 4500-H+ | H | BEL0258 |
| **pH** | **7.9** | units | 1.0 | 1 | | 12/08/23 15:19 | SM 4500-H+ | H | BEL0258 |
| **Total Filterable Solids (TDS)** | **260** | mg/L | 10.0 | 1 | | 12/08/23 15:15 | SM 2540 C | | BEL0224 |
| Kjeldahl Nitrogen (TKN), Total | ND | mg/L | 1.00 | 1 | | 12/08/23 10:17 | SM 4500-NH3 C | | BEL0214 |
| Total Nitrogen | ND | mg/L | 1.00 | 1 | | 12/08/23 10:17 | SM 4500-NH3 C | | BEL0214 |

*The results in this report apply to the samples as received and were analyzed in accordance with the chain of custody document. This analytical report must be reproduced in its entirety. All results listed in this report are for the exclusive use of the submitting party. Dellavalle Laboratory, Inc. assumes no responsibility for report alteration, separation, detachment or third party interpretation.*

DELLAVALLE™ LABORATORY INC

3 Machados Dairy
3412 W Sandy Mush Road
Merced, CA 95341

Account# 00-0022209
Account Manager: Ben Nydam
Submitted By:

Received: 12/06/2023 14:00
Reported: 12/11/2023 10:05

## Sample Results
**(Continued)**

**Sample: IW 6**
**23L0322-02 (Water)**

Sampled: 12/6/2023 7:45
Sampled By: Erica

| Analyte | Result | Units | Reporting Limit | DIL | DW MCL | Date/Time Analyzed | Method | Notes | Batch |
|---|---|---|---|---|---|---|---|---|---|
| **Electrical Conductivity** | **0.39** | mmhos/cm | 0.01 | 1 | | 12/08/23 15:20 | SM 2510 B | | BEL0258 |
| **Electrical Conductivity umhos** | **392** | umhos/cm | 10.0 | 1 | | 12/08/23 15:20 | SM 2510 B | | BEL0258 |
| **Nitrate Nitrogen as NO3N** | **1.7** | mg/L | 0.1 | 1 | 10 | 12/06/23 23:51 | EPA 300.0 | | BEL0162 |
| **Temperature** | **25.0** | units | 0.0 | 1 | | 12/08/23 15:20 | SM 4500-H+ | H | BEL0258 |
| **pH** | **7.8** | units | 1.0 | 1 | | 12/08/23 15:20 | SM 4500-H+ | H | BEL0258 |
| **Total Filterable Solids (TDS)** | **250** | mg/L | 10.0 | 1 | | 12/08/23 15:15 | SM 2540 C | | BEL0224 |
| **Kjeldahl Nitrogen (TKN), Total** | **5.62** | mg/L | 1.00 | 1 | | 12/08/23 10:18 | SM 4500-NH3 C | | BEL0214 |
| **Total Nitrogen** | **7.35** | mg/L | 1.00 | 1 | | 12/08/23 10:18 | SM 4500-NH3 C | | BEL0214 |

*The results in this report apply to the samples as received and were analyzed in accordance with the chain of custody document. This analytical report must be reproduced in its entirety. All results listed in this report are for the exclusive use of the submitting party. Dellavalle Laboratory, Inc. assumes no responsibility for report alteration, separation, detachment or third party interpretation.*

DocuSign Envelope ID: F8828B46-1CFF-48E6-B0F9-A467DB7F5BF4

DELLAVALLE™ LABORATORY INC

3 Machados Dairy
3412 W Sandy Mush Road
Merced, CA 95341

Account# 00-0022209
Account Manager: Ben Nydam
Submitted By:

Received: 12/06/2023 14:00
Reported: 12/11/2023 10:05

## Quality Control

| Analyte | Result | Qual | Reporting Limit | Units | Spike Level | Source Result | %REC | %REC Limits | RPD | RPD Limit |
|---|---|---|---|---|---|---|---|---|---|---|
| ***Batch: BEL0162*** | | | | | | | | | | |
| **Blank (BEL0162-BLK1)** | | | | | Prepared & Analyzed: 12/6/2023 | | | | | |
| Nitrate Nitrogen as NO3N | ND | | 0.1 | mg/L | | | | | | |
| **Blank (BEL0162-BLK2)** | | | | | Prepared & Analyzed: 12/6/2023 | | | | | |
| Nitrate Nitrogen as NO3N | ND | | 0.1 | mg/L | | | | | | |
| **Blank (BEL0162-BLK3)** | | | | | Prepared: 12/6/2023 Analyzed: 12/7/2023 | | | | | |
| Nitrate Nitrogen as NO3N | ND | | 0.1 | mg/L | | | | | | |
| **LCS (BEL0162-BS1)** | | | | | Prepared & Analyzed: 12/6/2023 | | | | | |
| Nitrate Nitrogen as NO3N | 5.1 | | 0.1 | mg/L | 5.000 | | 102 | 90-110 | | |
| **LCS (BEL0162-BS2)** | | | | | Prepared: 12/6/2023 Analyzed: 12/7/2023 | | | | | |
| Nitrate Nitrogen as NO3N | 4.8 | | 0.1 | mg/L | 5.000 | | 96.7 | 90-110 | | |
| **Duplicate (BEL0162-DUP1)** | | **Source: 23L0219-01** | | | Prepared & Analyzed: 12/6/2023 | | | | | |
| Nitrate Nitrogen as NO3N | 4.3 | | 0.1 | mg/L | | 4.2 | | | 2.04 | 10 |
| **Duplicate (BEL0162-DUP2)** | | **Source: 23L0295-01** | | | Prepared: 12/6/2023 Analyzed: 12/7/2023 | | | | | |
| Nitrate Nitrogen as NO3N | 4.2 | | 0.1 | mg/L | | 4.2 | | | 0.425 | 10 |
| **Matrix Spike (BEL0162-MS1)** | | **Source: 23L0219-01** | | | Prepared & Analyzed: 12/6/2023 | | | | | |
| Nitrate Nitrogen as NO3N | 9.1 | | 0.1 | mg/L | 5.000 | 4.2 | 98.2 | 90-110 | | |
| **Matrix Spike (BEL0162-MS2)** | | **Source: 23L0295-01** | | | Prepared: 12/6/2023 Analyzed: 12/7/2023 | | | | | |
| Nitrate Nitrogen as NO3N | 9.3 | | 0.1 | mg/L | 5.000 | 4.2 | 101 | 90-110 | | |
| **Reference (BEL0162-SRM1)** | | | | | Prepared & Analyzed: 12/6/2023 | | | | | |
| Nitrate Nitrogen as NO3N | 9.8 | | | mg/L | 10.00 | | 97.9 | 90-110 | | |
| **Reference (BEL0162-SRM2)** | | | | | Prepared & Analyzed: 12/6/2023 | | | | | |
| Nitrate Nitrogen as NO3N | 9.8 | | | mg/L | 10.00 | | 97.7 | 90-110 | | |
| **Reference (BEL0162-SRM3)** | | | | | Prepared: 12/6/2023 Analyzed: 12/7/2023 | | | | | |
| Nitrate Nitrogen as NO3N | 9.9 | | | mg/L | 10.00 | | 98.7 | 90-110 | | |

*The results in this report apply to the samples as received and were analyzed in accordance with the chain of custody document. This analytical report must be reproduced in its entirety. All results listed in this report are for the exclusive use of the submitting party. Dellavalle Laboratory, Inc. assumes no responsibility for report alteration, separation, detachment or third party interpretation.*

DocuSign Envelope ID: F8828B46-1CFF-48E6-B0F9-A467DB7F5BF4

DELLAVALLE™ LABORATORY INC

3 Machados Dairy
3412 W Sandy Mush Road
Merced, CA 95341

Account# 00-0022209
Account Manager: Ben Nydam
Submitted By:

Received: 12/06/2023 14:00
Reported: 12/11/2023 10:05

## Quality Control
**(Continued)**

| Analyte | Result | Qual | Reporting Limit | Units | Spike Level | Source Result | %REC | %REC Limits | RPD | RPD Limit |
|---|---|---|---|---|---|---|---|---|---|---|
| ***Batch: BEL0214*** | | | | | | | | | | |
| **Blank (BEL0214-BLK2)** | | | | | Prepared: 12/7/2023 | Analyzed: 12/8/2023 | | | | |
| Kjeldahl Nitrogen (TKN), Total | ND | | 1.00 | mg/L | | | | | | |
| Total Nitrogen | ND | | 1.00 | mg/L | | | | | | |
| **Blank (BEL0214-BLK3)** | | | | | Prepared: 12/7/2023 | Analyzed: 12/8/2023 | | | | |
| Kjeldahl Nitrogen (TKN), Total | ND | | 1.00 | mg/L | | | | | | |
| Total Nitrogen | ND | | 1.00 | mg/L | | | | | | |
| **LCS (BEL0214-BS1)** | | | | | Prepared: 12/7/2023 | Analyzed: 12/8/2023 | | | | |
| Kjeldahl Nitrogen (TKN), Total | 5.65 | | 1.00 | mg/L | 5.709 | | 99.0 | 90-110 | | |
| **LCS (BEL0214-BS2)** | | | | | Prepared: 12/7/2023 | Analyzed: 12/8/2023 | | | | |
| Kjeldahl Nitrogen (TKN), Total | 5.92 | | 1.00 | mg/L | 5.709 | | 104 | 90-110 | | |
| **Duplicate (BEL0214-DUP1)** | | **Source: 23L0249-02** | | | Prepared: 12/7/2023 | Analyzed: 12/8/2023 | | | | |
| Kjeldahl Nitrogen (TKN), Total | ND | | 1.40 | mg/L | | ND | | | | 10 |
| **Duplicate (BEL0214-DUP2)** | | **Source: 23L0296-01** | | | Prepared: 12/7/2023 | Analyzed: 12/8/2023 | | | | |
| Kjeldahl Nitrogen (TKN), Total | 14.4 | | 1.40 | mg/L | | 13.8 | | | 4.29 | 10 |
| **Matrix Spike (BEL0214-MS1)** | | **Source: 23L0249-02** | | | Prepared: 12/7/2023 | Analyzed: 12/8/2023 | | | | |
| Kjeldahl Nitrogen (TKN), Total | 8.47 | | 1.40 | mg/L | 7.992 | ND | 106 | 90-110 | | |
| **Matrix Spike (BEL0214-MS2)** | | **Source: 23L0296-01** | | | Prepared: 12/7/2023 | Analyzed: 12/8/2023 | | | | |
| Kjeldahl Nitrogen (TKN), Total | 22.5 | | 1.40 | mg/L | 7.992 | 13.8 | 110 | 90-110 | | |
| **Reference (BEL0214-SRM1)** | | | | | Prepared: 12/7/2023 | Analyzed: 12/8/2023 | | | | |
| Kjeldahl Nitrogen (TKN), Total | 24.0 | | | mg/L | 23.80 | | 101 | 90-110 | | |

*The results in this report apply to the samples as received and were analyzed in accordance with the chain of custody document. This analytical report must be reproduced in its entirety. All results listed in this report are for the exclusive use of the submitting party. Dellavalle Laboratory, Inc. assumes no responsibility for report alteration, separation, detachment or third party interpretation.*

DELLAVALLE™ LABORATORY INC

3 Machados Dairy
3412 W Sandy Mush Road
Merced, CA 95341

Account# 00-0022209
Account Manager: Ben Nydam
Submitted By:

Received: 12/06/2023 14:00
Reported: 12/11/2023 10:05

## Quality Control
**(Continued)**

| Analyte | Result | Qual | Reporting Limit | Units | Spike Level | Source Result | %REC | %REC Limits | RPD | RPD Limit |
|---|---|---|---|---|---|---|---|---|---|---|
| ***Batch: BEL0224*** | | | | | | | | | | |
| **Blank (BEL0224-BLK1)** | | | | | Prepared: 12/7/2023 | Analyzed: 12/8/2023 | | | | |
| Total Filterable Solids (TDS) | ND | | 10.0 | mg/L | | | | | | |
| **LCS (BEL0224-BS1)** | | | | | Prepared: 12/7/2023 | Analyzed: 12/8/2023 | | | | |
| Total Filterable Solids (TDS) | 41.2 | | 10.0 | mg/L | 2000 | | 2.06 | 0-200 | | |
| **Duplicate (BEL0224-DUP1)** | | | **Source: 23L0352-01** | | Prepared: 12/7/2023 | Analyzed: 12/8/2023 | | | | |
| Total Filterable Solids (TDS) | 2480 | | 10.0 | mg/L | | 2400 | | | 3.08 | 10 |
| **Duplicate (BEL0224-DUP2)** | | | **Source: 23L0357-01** | | Prepared: 12/7/2023 | Analyzed: 12/8/2023 | | | | |
| Total Filterable Solids (TDS) | 2420 | | 10.0 | mg/L | | 2350 | | | 3.14 | 10 |
| **Reference (BEL0224-SRM1)** | | | | | Prepared: 12/7/2023 | Analyzed: 12/8/2023 | | | | |
| Total Filterable Solids (TDS) | 390 | | | mg/L | 390.0 | | 100 | 90-110 | | |

*The results in this report apply to the samples as received and were analyzed in accordance with the chain of custody document. This analytical report must be reproduced in its entirety. All results listed in this report are for the exclusive use of the submitting party. Dellavalle Laboratory, Inc. assumes no responsibility for report alteration, separation, detachment or third party interpretation.*

DELLAVALLE™ LABORATORY INC

3 Machados Dairy
3412 W Sandy Mush Road
Merced, CA 95341

Account# 00-0022209
Account Manager: Ben Nydam
Submitted By:

Received: 12/06/2023 14:00
Reported: 12/11/2023 10:05

## Quality Control
**(Continued)**

| Analyte | Result | Qual | Reporting Limit | Units | Spike Level | Source Result | %REC | %REC Limits | RPD | RPD Limit |
|---|---|---|---|---|---|---|---|---|---|---|
| ***Batch: BEL0258*** | | | | | | | | | | |
| **Blank (BEL0258-BLK1)** | | | | | Prepared: 12/7/2023 | Analyzed: 12/8/2023 | | | | |
| Temperature | 25.0 | | 0.0 | units | | | | | | |
| Electrical Conductivity | ND | | 0.01 | mmhos/cm | | | | | | |
| pH | 4.3 | | 1.0 | units | | | | | | |
| Electrical Conductivity umhos | ND | | 10.0 | umhos/cm | | | | | | |
| **Blank (BEL0258-BLK2)** | | | | | Prepared: 12/7/2023 | Analyzed: 12/8/2023 | | | | |
| Electrical Conductivity | ND | | 0.01 | mmhos/cm | | | | | | |
| Temperature | 25.0 | | 0.0 | units | | | | | | |
| pH | 5.6 | | 1.0 | units | | | | | | |
| Electrical Conductivity umhos | ND | | 10.0 | umhos/cm | | | | | | |
| **Blank (BEL0258-BLK3)** | | | | | Prepared: 12/7/2023 | Analyzed: 12/8/2023 | | | | |
| Temperature | 25.0 | | 0.0 | units | | | | | | |
| Electrical Conductivity | ND | | 0.01 | mmhos/cm | | | | | | |
| pH | 7.1 | | 1.0 | units | | | | | | |
| Electrical Conductivity umhos | ND | | 10.0 | umhos/cm | | | | | | |
| **Duplicate (BEL0258-DUP1)** | | **Source: 23L0296-01** | | | Prepared: 12/7/2023 | Analyzed: 12/8/2023 | | | | |
| Electrical Conductivity | 1.16 | | 0.01 | mmhos/cm | | 1.17 | | | 0.542 | 10 |
| pH | 6.7 | | 1.0 | units | | 6.6 | | | 1.05 | 10 |
| Electrical Conductivity umhos | 1160 | | 10.0 | umhos/cm | | 1170 | | | 0.542 | 10 |
| **Duplicate (BEL0258-DUP2)** | | **Source: 23L0347-01** | | | Prepared: 12/7/2023 | Analyzed: 12/8/2023 | | | | |
| Electrical Conductivity | 0.67 | | 0.01 | mmhos/cm | | 0.67 | | | 0.686 | 10 |
| Electrical Conductivity umhos | 673 | | 10.0 | umhos/cm | | 668 | | | 0.686 | 10 |
| pH | 8.1 | | 1.0 | units | | 8.1 | | | 0.372 | 10 |
| **Reference (BEL0258-SRM1)** | | | | | Prepared: 12/7/2023 | Analyzed: 12/8/2023 | | | | |
| Electrical Conductivity | 424 | | | umhos/cm | 426.0 | | 99.5 | 90-110 | | |
| **Reference (BEL0258-SRM2)** | | | | | Prepared: 12/7/2023 | Analyzed: 12/8/2023 | | | | |
| pH | 7.5 | | | units | 7.520 | | 99.7 | 97.5-102.5 | | |
| **Reference (BEL0258-SRM3)** | | | | | Prepared: 12/7/2023 | Analyzed: 12/8/2023 | | | | |
| Electrical Conductivity | 1010 | | | umhos/cm | 1000 | | 101 | 90-110 | | |
| Electrical Conductivity umhos | 1010 | | | umhos/cm | 1000 | | 101 | 90-110 | | |
| **Reference (BEL0258-SRM4)** | | | | | Prepared: 12/7/2023 | Analyzed: 12/8/2023 | | | | |
| Electrical Conductivity | 1060 | | | umhos/cm | 1000 | | 106 | 90-110 | | |
| Electrical Conductivity umhos | 1060 | | | umhos/cm | 1000 | | 106 | 90-110 | | |
| **Reference (BEL0258-SRM5)** | | | | | Prepared: 12/7/2023 | Analyzed: 12/8/2023 | | | | |
| Electrical Conductivity | 1050 | | | umhos/cm | 1000 | | 105 | 90-110 | | |

*The results in this report apply to the samples as received and were analyzed in accordance with the chain of custody document. This analytical report must be reproduced in its entirety. All results listed in this report are for the exclusive use of the submitting party. Dellavalle Laboratory, Inc. assumes no responsibility for report alteration, separation, detachment or third party interpretation.*

DocuSign Envelope ID: F8828B46-1CFF-48E6-B0F9-A467DB7F5BF4

DELLAVALLE™ LABORATORY INC

3 Machados Dairy
3412 W Sandy Mush Road
Merced, CA 95341

Account# 00-0022209
Account Manager: Ben Nydam
Submitted By:

Received: 12/06/2023 14:00
Reported: 12/11/2023 10:05

## Quality Control
**(Continued)**

| Analyte | Result | Qual | Reporting Limit | Units | Spike Level | Source Result | %REC | %REC Limits | RPD | RPD Limit |
|---|---|---|---|---|---|---|---|---|---|---|
| ***Batch: BEL0258 (Continued)*** | | | | | | | | | | |
| **Reference (BEL0258-SRM5)** | | | | | Prepared: 12/7/2023 | Analyzed: 12/8/2023 | | | | |
| Electrical Conductivity umhos | 1050 | | | umhos/cm | 1000 | | 105 | 90-110 | | |
| **Reference (BEL0258-SRM6)** | | | | | Prepared: 12/7/2023 | Analyzed: 12/8/2023 | | | | |
| pH | 4.0 | | | units | 4.000 | | 99.8 | 97.5-102.5 | | |
| **Reference (BEL0258-SRM7)** | | | | | Prepared: 12/7/2023 | Analyzed: 12/8/2023 | | | | |
| pH | 4.0 | | | units | 4.000 | | 99.5 | 97.5-102.5 | | |
| **Reference (BEL0258-SRM8)** | | | | | Prepared: 12/7/2023 | Analyzed: 12/8/2023 | | | | |
| pH | 4.0 | | | units | 4.000 | | 99.0 | 97.5-102.5 | | |

*The results in this report apply to the samples as received and were analyzed in accordance with the chain of custody document. This analytical report must be reproduced in its entirety. All results listed in this report are for the exclusive use of the submitting party. Dellavalle Laboratory, Inc. assumes no responsibility for report alteration, separation, detachment or third party interpretation.*

DocuSign Envelope ID: F8828B46-1CFF-48E6-B0F9-A467DB7F5BF4

# WATER WORK REQUEST

DELLAVALLE LABORATORY, INC.
1910 W. McKinley Avenue, Suite 110 • Fresno, CA 93728
www.dellavallelab.com 559 233-6129 · 800 228-9896 · Fax 559 268-8174

Purchase Order No

Bill To: 22209 (Acct #) | 8 (Cons #)

Results Need By

No. Samples: 2 No of Bottles:

**Water Type:** [ ] Drinking Water [ ] Wastewater
[X] Ag Water [ ] Groundwater [ ] Monitoring Well

**Other:**

**Name:** 3 machados
**Address:** 3412 Sandy mush Rd
**City:** Merced **State:** CA **Zip:**
**Telephone:** **Fax:**
**Cell/Email:**
**COPY TO:** labs@fragservices.com
krhodes@fragservices.com
**REQUESTED BY:**
**PROJECT:**
**CROP:** Irrigation wells

[X] Copy of Chain [X] QA/QC Documents
Sampled By: Erica

**Analysis and Bottles Required: (*Please indicate Analysis*)**

( ) DWW1: EC, $NO_3$-N NH4-N Field Test
(1-1 Liter Plastic, Unpreserved) White Per Sample
( ) DWW2: DWW1 Plus $SO_4$, $CO_3$, $HCO_3$, Cl, Ca, Mg, Na, TDS
(1-1 Liter Plastic, Unpreserved) White Per Sample
(X) DCW1: EC, $NO_3$-N, TKN, TN, TDS
(1-1 Liter Plastic, Unpreserved) White Per Sample
( ) DPW1: EC, $NO_3$-N, $NH_4$-N, TKN, TDS, TP, TK
(1-1 Liter Plastic, Unpreserved) White Per Sample
( ) DPW2: DPW1 Plus Ca, Mg, Na, $HCO_3$, $CO_3$, $SO_4$, Cl
(1-1 Liter Plastic, Unpreserved) White Per Sample
( ) Other

| | Description of Samples | Date Sampled | Time Sampled | Rec'd Temp °C | Field $NH_4$-N |
|---|---|---|---|---|---|
| 1 | IW 1 | 12/6 | 0730 | -2.4 | |
| 2 | IW 6 | 1 | 0745 | -2.5 | |
| 3 | | | | | |
| 4 | | | | | |
| 5 | | | | | |
| 6 | | | | | |
| 7 | | | | | |
| 8 | | | | | |
| 9 | | | | | |
| 10 | | | | | |

12/06/23 14:00 23L0322

IR Thermometer SN: 192603727
Correction Factor: 0°C
Calibration Due: 12/22/2023
Location: Laboratory

**CHAIN OF CUSTODY**

| Carrier | Signature | Company | Received (Date/Time) | Relinquished (Date/Time) |
|---|---|---|---|---|
| First | Kierstan Rhodes | F&R Ag Services | 12/6 0745 | 12/6 0830 |
| Second | JLF | DLV | 12-6-23 8:30 | 12-6-23 1:20 |
| Third | | | | |
| Fourth | | DLV | 12-6-23 14:00 | |

I guarantee that as the client, or on behalf of client named, I have the authority to contract the above requested services. Should it be found that I do not have such authority, I agree to be personally liable for all costs and, if there should be action against me for this breach, reasonable attorneys' fees. It is understood that payment is expected to be cash with samples unless terms have been previously arranged. Terms are net 30 days; overdue accounts will be charged a liquidated damage fee of 2% per month (annually 24%) or $5.00 per month whichever is greater.

If payment is not made when due and a legitimate dispute exists concerning the product or services of Dellavalle Laboratory, Inc., it will be submitted to mediation under the Rules and Procedures of Creative Alternative to Litigation, Inc. (*cal*). If the dispute is not resolved in mediation, then the dispute will be submitted to binding arbitration through *cal* under its Rules and Procedures. The parties will equally bear the costs of mediation/arbitration. If, however, the mediator declares that no legitimate dispute exists, then debtor will pay all mediation and arbitration costs, and in the event of arbitration, reasonable attorneys' fees of Dellavalle Laboratory.

***Invoicing Information:***
Sampling hrs
Miles
Consulting

***Shipping***
$ In
$ Out

| Amt Paid | Rec By | Check # | Date |
|---|---|---|---|
| | | | |

**Signature**

Sample received in cooler with ice (coolant)
[ ] Yes [ ] No

X:\1-CLIENT CUSTOM FIELDSHEETS\FIELDSHEETS\Dairy Fieldsheets\[F & R Ag Services Water.xls]Dairy Water rev 2.8.18

DocuSign Envelope ID: F8828B46-1CFF-48E6-B0F9-A467DB7F5BF4

12/06/23 14:00 23L0322

pH Strips
Lot: 10BDH4501 Exp: Jan 2025

**Shipping Information:** Shipped In ☐ Picked-Up ☐ Walk In ☐ DLI Sampler ☑ Other ☐ _____

☐ Samples refridgerated before pick up | ☐ Picked up samples placed in Ice chest

**Container:** Ice Chest ☑ Box ☐ None ☐ | **Refrigerant:** Wet Ice ☑ Blue Ice ☐ None ☐

**Samples Preserved with $HNO_3$ or $H_2SO_4$ were:** ☐ Received Preserved ☑ Preserved Upon Receipt at Laboratory

| | Type of Container(s) Received | Sample Number 1 | 2 | 3 | 4 | 5 | 6 | 7 | 8 | 9 | 10 |
|---|---|---|---|---|---|---|---|---|---|---|---|
| | **Sample Containers for Internal (DLI) Use** *(Containers that go into the Lab)* | | | | | | | | | | |
| Plastics | 100 mL sterile plastic $Na_2S_2O_3$ (Green) | | | | | | | | | | |
| Plastics | 250 mL unpreserved (White) Plastic | | | | | | | | | | |
| Plastics | 250 mL $HNO_3$ (Red) Plastic | | | | | | | | | | |
| Plastics | * pH Value | | | | | | | | | | |
| Plastics | 250 mL $H_2SO_4$ (Yellow) Plastic | 1 | 1 | | | | | | | | |
| Plastics | * pH Value | <2 | <2 | | | | | | | | |
| Plastics | 500 mL unpreserved (White) Plastic | | | | | | | | | | |
| Plastics | 1 L unpreserved (White) Plastic | 1 | 1 | | | | | | | | |
| Plastics | 1 L unpreserved (BOD) (Purple) Plastic | | | | | | | | | | |
| Special | 500mL unpreserved (White) Glass | | | | | | | | | | |
| Special | PO4-P Kit | | | | | | | | | | |
| Special | **Other:** | | | | | | | | | | |
| | **Sample Containers for Subcontracted ("Send Out") Analyses** *(Containers that go in the Subcontract ("Send Out") Refrigerator)* | | | | | | | | | | |
| Plastics | 100 mL sterile plastic $Na_2S_2O_3$ (Green) | | | | | | | | | | |
| Plastics | 250 mL unpreserved (White) Plastic | | | | | | | | | | |
| Plastics | 250 mL $HNO_3$ (Red) Plastic | | | | | | | | | | |
| Plastics | 250 mL $H_2SO_4$ (Yellow) Plastic | | | | | | | | | | |
| Plastics | 500 mL $HNO_3$ (Red) | | | | | | | | | | |
| Plastics | 1 L unpreserved (White) Plastic | | | | | | | | | | |
| Plastics | 1 L unpreserved (BOD) (Purple) Plastic | | | | | | | | | | |
| Plastics | 1 L $HNO_3$ (Red) | | | | | | | | | | |
| VOA Vials | 40 mL VOA, $Na_2S_2O_3$ + MCAA (EPA531) | | | | | | | | | | |
| VOA Vials | 40 mL VOA, $Na_2S_2O_3$ (EPA547) | | | | | | | | | | |
| VOA Vials | 40mL AG VOA unpreserved (White) (Set of 3) | | | | | | | | | | |
| VOA Vials | 40 mL AG VOA, $Na_2S_2O_3$ (Green) (Set of 3) | | | | | | | | | | |
| VOA Vials | 40mL VOA, $H_3PO_4$ (Set of 3) | | | | | | | | | | |
| VOA Vials | 40 mL VOA, HCl (Blue) (Set of 3) | | | | | | | | | | |
| VOA Vials | 40 mL VOA, $Na_2S_2O_3$ (Green) (Set of 3) | | | | | | | | | | |
| Glass | 250 mL AG unpreserved (White) | | | | | | | | | | |
| Glass | 250 mL AG $H_2SO_4$ (Yellow) | | | | | | | | | | |
| Glass | 250 mL AG $Na_2S_2O_3$ (Green) | | | | | | | | | | |
| Glass | 250 mL AG $Na_2S_2O_3$ + MCAA | | | | | | | | | | |
| Glass | 500 mL glass unpreserved (White) | | | | | | | | | | |
| Glass | 500 mL AG HCl (Blue) | | | | | | | | | | |
| Glass | 1 L AG unpreserved (White) | | | | | | | | | | |
| Glass | 1 L AG $H_2SO_4$ (Yellow) | | | | | | | | | | |
| Glass | 1 L AG $Na_2S_2O_3$ (Green) | | | | | | | | | | |
| Glass | 1 L AG HCl (Blue) | | | | | | | | | | |
| Special | $Cr^{6+}$ - 50mL Plastic w/Borate/$HCO_3$/$CO_3$ | | | | | | | | | | |
| Special | Cyanide - 500 mL NaOH | | | | | | | | | | |
| Special | Asbestos - 1L P wrapped in foil (Set of 2) | | | | | | | | | | |
| Special | Sulfide - 1 L **AG** or **P** NaOH + ZnAc | | | | | | | | | | |
| Special | Chlorite/Bromate - 250 mL AG with EDA | | | | | | | | | | |
| Special | HAA5 - 250mL AG Ammonium Chlorite | | | | | | | | | | |
| Special | DO KIT | | | | | | | | | | |
| Special | **Other:** | | | | | | | | | | |
| Special | **Other:** | | | | | | | | | | |

SEND OUT

DocuSign Envelope ID: F8828B46-1CFF-48E6-B0F9-A467DB7F5BF4

DELLAVALLE™
LABORATORY INC

3 Machados Dairy
3412 W Sandy Mush Road
Merced, CA 95341

Account# 00-0022209
Account Manager: Ben Nydam
Submitted By:

Received: 11/02/2023 16:00
Reported: 11/07/2023 12:08

## Samples in this Report

| Lab ID | Sample | Matrix | Sampled By | Crop | Date Sampled |
|---|---|---|---|---|---|
| 23K0143-01 | Dom North Lone Tree | Ground Water | Joe | Fresh Water | 11/02/2023 10:00 |
| 23K0143-02 | Dom South Lone Tree | Ground Water | Joe | Fresh Water | 11/02/2023 10:05 |
| 23K0143-03 | Dom 5 New | Ground Water | Joe | Fresh Water | 11/02/2023 10:07 |
| 23K0143-04 | Dom 4 | Ground Water | Joe | Fresh Water | 11/02/2023 10:09 |
| 23K0143-05 | Dom 3 | Ground Water | Joe | Fresh Water | 11/02/2023 10:13 |
| 23K0143-06 | Dom 2 | Ground Water | Joe | Fresh Water | 11/02/2023 10:17 |
| 23K0143-07 | Dom 1 | Ground Water | Joe | Fresh Water | 11/02/2023 10:25 |
| 23K0143-08 | Dom 1 Shipee | Ground Water | Joe | Fresh Water | 11/02/2023 10:28 |

Default Cooler Temperature on Receipt °C: 1.6
Containers Intact
COC/Labels Agree
Received On Ice

## Notes and Definitions

| Item | Definition |
|---|---|
| H | Hold Time Exceeded |
| MCL | Drinking Water Maximum Contaminant Level |
| ND | Analyte NOT DETECTED at or above the reporting limit. |
| NES | Not Enough Sample |
| * | Not Taken |
| RPD | Relative Percent Difference |
| %REC | Percent Recovery |
| Source | Sample that was matrix spiked or duplicated. |

Scott McFriedland

Laboratory Director/Technical Manager

ELAP Certification #1595
A2LA Certification #6440.02

*The results in this report apply to the samples as received and were analyzed in accordance with the chain of custody document. This analytical report must be reproduced in its entirety. All results listed in this report are for the exclusive use of the submitting party. Dellavalle Laboratory, Inc. assumes no responsibility for report alteration, separation, detachment or third party interpretation.*

DELLAVALLE™ LABORATORY INC

3 Machados Dairy
3412 W Sandy Mush Road
Merced, CA 95341

Account# 00-0022209
Account Manager: Ben Nydam
Submitted By:

Received: 11/02/2023 16:00
Reported: 11/07/2023 12:08

## Sample Results

**Sample: Dom North Lone Tree**
**23K0143-01 (Water)**

Sampled: 11/2/2023 10:00
Sampled By: Joe

| Analyte | Result | Units | Reporting Limit | DIL | DW MCL | Date/Time Analyzed | Method | Notes | Batch |
|---|---|---|---|---|---|---|---|---|---|
| **Electrical Conductivity** | **1.16** | mmhos/cm | 0.01 | 1 | | 11/06/23 10:04 | SM 2510 B | | BEK0126 |
| **Electrical Conductivity umhos** | **1160** | umhos/cm | 10.0 | 1 | | 11/06/23 10:04 | SM 2510 B | | BEK0126 |
| Ammonia (as N) | * | mg/L | 0.00 | 1 | | 11/02/23 10:00 | Field | | BEK0189 |
| **Nitrate Nitrogen as NO3N** | **12.0** | mg/L | 0.1 | 1 | 10 | 11/04/23 01:00 | EPA 300.0 | | BEK0070 |
| **Temperature** | **25.0** | units | 0.0 | 1 | | 11/06/23 10:04 | SM 4500-H+ | H | BEK0126 |
| **pH** | **7.6** | units | 1.0 | 1 | | 11/06/23 10:04 | SM 4500-H+ | H | BEK0126 |

*The results in this report apply to the samples as received and were analyzed in accordance with the chain of custody document. This analytical report must be reproduced in its entirety. All results listed in this report are for the exclusive use of the submitting party. Dellavalle Laboratory, Inc. assumes no responsibility for report alteration, separation, detachment or third party interpretation.*

DELLAVALLE™ LABORATORY INC

3 Machados Dairy
3412 W Sandy Mush Road
Merced, CA 95341

Account# 00-0022209
Account Manager: Ben Nydam
Submitted By:

Received: 11/02/2023 16:00
Reported: 11/07/2023 12:08

## Sample Results
**(Continued)**

**Sample: Dom South Lone Tree**
**23K0143-02 (Water)**

Sampled: 11/2/2023 10:05
Sampled By: Joe

| Analyte | Result | Units | Reporting Limit | DIL | DW MCL | Date/Time Analyzed | Method | Notes | Batch |
|---|---|---|---|---|---|---|---|---|---|
| **Electrical Conductivity** | **1.16** | mmhos/cm | 0.01 | 1 | | 11/06/23 10:05 | SM 2510 B | | BEK0126 |
| **Electrical Conductivity umhos** | **1160** | umhos/cm | 10.0 | 1 | | 11/06/23 10:05 | SM 2510 B | | BEK0126 |
| Ammonia (as N) | * | mg/L | 0.00 | 1 | | 11/02/23 10:05 | Field | | BEK0189 |
| **Nitrate Nitrogen as NO3N** | **12.3** | mg/L | 0.1 | 1 | 10 | 11/04/23 01:20 | EPA 300.0 | | BEK0070 |
| **Temperature** | **25.0** | units | 0.0 | 1 | | 11/06/23 10:05 | SM 4500-H+ | H | BEK0126 |
| **pH** | **7.8** | units | 1.0 | 1 | | 11/06/23 10:05 | SM 4500-H+ | H | BEK0126 |

*The results in this report apply to the samples as received and were analyzed in accordance with the chain of custody document. This analytical report must be reproduced in its entirety. All results listed in this report are for the exclusive use of the submitting party. Dellavalle Laboratory, Inc. assumes no responsibility for report alteration, separation, detachment or third party interpretation.*

DELLAVALLE™ LABORATORY INC

3 Machados Dairy
3412 W Sandy Mush Road
Merced, CA 95341

Account# 00-0022209
Account Manager: Ben Nydam
Submitted By:

Received: 11/02/2023 16:00
Reported: 11/07/2023 12:08

## Sample Results
**(Continued)**

**Sample: Dom 5 New**
**23K0143-03 (Water)**

Sampled: 11/2/2023 10:07
Sampled By: Joe

| Analyte | Result | Units | Reporting Limit | DIL | DW MCL | Date/Time Analyzed | Method | Notes | Batch |
|---|---|---|---|---|---|---|---|---|---|
| **Electrical Conductivity** | **0.35** | mmhos/cm | 0.01 | 1 | | 11/06/23 10:07 | SM 2510 B | | BEK0126 |
| **Electrical Conductivity umhos** | **348** | umhos/cm | 10.0 | 1 | | 11/06/23 10:07 | SM 2510 B | | BEK0126 |
| Ammonia (as N) | * | mg/L | 0.00 | 1 | | 11/02/23 10:07 | Field | | BEK0189 |
| **Nitrate Nitrogen as NO3N** | **0.1** | mg/L | 0.1 | 1 | 10 | 11/04/23 01:39 | EPA 300.0 | | BEK0070 |
| **Temperature** | **25.0** | units | 0.0 | 1 | | 11/06/23 10:07 | SM 4500-H+ | H | BEK0126 |
| **pH** | **7.3** | units | 1.0 | 1 | | 11/06/23 10:07 | SM 4500-H+ | H | BEK0126 |

*The results in this report apply to the samples as received and were analyzed in accordance with the chain of custody document. This analytical report must be reproduced in its entirety. All results listed in this report are for the exclusive use of the submitting party. Dellavalle Laboratory, Inc. assumes no responsibility for report alteration, separation, detachment or third party interpretation.*

DELLAVALLE™ LABORATORY INC

3 Machados Dairy
3412 W Sandy Mush Road
Merced, CA 95341

Account# 00-0022209
Account Manager: Ben Nydam
Submitted By:

Received: 11/02/2023 16:00
Reported: 11/07/2023 12:08

## Sample Results
**(Continued)**

**Sample: Dom 4**
**23K0143-04 (Water)**

Sampled: 11/2/2023 10:09
Sampled By: Joe

| Analyte | Result | Units | Reporting Limit | DIL | DW MCL | Date/Time Analyzed | Method | Notes | Batch |
|---|---|---|---|---|---|---|---|---|---|
| **Electrical Conductivity** | **2.56** | mmhos/cm | 0.01 | 1 | | 11/06/23 10:08 | SM 2510 B | | BEK0126 |
| **Electrical Conductivity umhos** | **2560** | umhos/cm | 10.0 | 1 | | 11/06/23 10:08 | SM 2510 B | | BEK0126 |
| Ammonia (as N) | * | mg/L | 0.00 | 1 | | 11/02/23 10:09 | Field | | BEK0189 |
| **Nitrate Nitrogen as NO3N** | **86.1** | mg/L | 0.1 | 1 | 10 | 11/04/23 01:59 | EPA 300.0 | | BEK0070 |
| **Temperature** | **25.0** | units | 0.0 | 1 | | 11/06/23 10:08 | SM 4500-H+ | H | BEK0126 |
| **pH** | **7.3** | units | 1.0 | 1 | | 11/06/23 10:08 | SM 4500-H+ | H | BEK0126 |

*The results in this report apply to the samples as received and were analyzed in accordance with the chain of custody document. This analytical report must be reproduced in its entirety. All results listed in this report are for the exclusive use of the submitting party. Dellavalle Laboratory, Inc. assumes no responsibility for report alteration, separation, detachment or third party interpretation.*

DocuSign Envelope ID: F8828B46-1CFF-48E6-B0F9-A467DB7F5BF4

DELLAVALLE™ LABORATORY INC

3 Machados Dairy
3412 W Sandy Mush Road
Merced, CA 95341

Account# 00-0022209
Account Manager: Ben Nydam
Submitted By:

Received: 11/02/2023 16:00
Reported: 11/07/2023 12:08

## Sample Results
**(Continued)**

**Sample: Dom 3**
**23K0143-05 (Water)**

Sampled: 11/2/2023 10:13
Sampled By: Joe

| Analyte | Result | Units | Reporting Limit | DIL | DW MCL | Date/Time Analyzed | Method | Notes | Batch |
|---|---|---|---|---|---|---|---|---|---|
| **Electrical Conductivity** | **1.72** | mmhos/cm | 0.01 | 1 | | 11/06/23 10:10 | SM 2510 B | | BEK0126 |
| **Electrical Conductivity umhos** | **1720** | umhos/cm | 10.0 | 1 | | 11/06/23 10:10 | SM 2510 B | | BEK0126 |
| Ammonia (as N) | * | mg/L | 0.00 | 1 | | 11/02/23 10:13 | Field | | BEK0189 |
| **Nitrate Nitrogen as NO3N** | **34.9** | mg/L | 0.1 | 1 | 10 | 11/04/23 02:19 | EPA 300.0 | | BEK0070 |
| **Temperature** | **25.0** | units | 0.0 | 1 | | 11/06/23 10:10 | SM 4500-H+ | H | BEK0126 |
| **pH** | **7.4** | units | 1.0 | 1 | | 11/06/23 10:10 | SM 4500-H+ | H | BEK0126 |

*The results in this report apply to the samples as received and were analyzed in accordance with the chain of custody document. This analytical report must be reproduced in its entirety. All results listed in this report are for the exclusive use of the submitting party. Dellavalle Laboratory, Inc. assumes no responsibility for report alteration, separation, detachment or third party interpretation.*

DELLAVALLE™ LABORATORY INC

3 Machados Dairy
3412 W Sandy Mush Road
Merced, CA 95341

Account# 00-0022209
Account Manager: Ben Nydam
Submitted By:

Received: 11/02/2023 16:00
Reported: 11/07/2023 12:08

## Sample Results
**(Continued)**

**Sample: Dom 2**
**23K0143-06 (Water)**

Sampled: 11/2/2023 10:17
Sampled By: Joe

| Analyte | Result | Units | Reporting Limit | DIL | DW MCL | Date/Time Analyzed | Method | Notes | Batch |
|---|---|---|---|---|---|---|---|---|---|
| **Electrical Conductivity** | **0.36** | mmhos/cm | 0.01 | 1 | | 11/06/23 10:11 | SM 2510 B | | BEK0126 |
| **Electrical Conductivity umhos** | **359** | umhos/cm | 10.0 | 1 | | 11/06/23 10:11 | SM 2510 B | | BEK0126 |
| Ammonia (as N) | * | mg/L | 0.00 | 1 | | 11/02/23 10:17 | Field | | BEK0189 |
| Nitrate Nitrogen as NO3N | ND | mg/L | 0.1 | 1 | 10 | 11/04/23 02:39 | EPA 300.0 | | BEK0070 |
| **Temperature** | **25.0** | units | 0.0 | 1 | | 11/06/23 10:11 | SM 4500-H+ | H | BEK0126 |
| **pH** | **7.7** | units | 1.0 | 1 | | 11/06/23 10:11 | SM 4500-H+ | H | BEK0126 |

*The results in this report apply to the samples as received and were analyzed in accordance with the chain of custody document. This analytical report must be reproduced in its entirety. All results listed in this report are for the exclusive use of the submitting party. Dellavalle Laboratory, Inc. assumes no responsibility for report alteration, separation, detachment or third party interpretation.*

DELLAVALLE™ LABORATORY INC

3 Machados Dairy
3412 W Sandy Mush Road
Merced, CA 95341

Account# 00-0022209
Account Manager: Ben Nydam
Submitted By:

Received: 11/02/2023 16:00
Reported: 11/07/2023 12:08

## Sample Results
**(Continued)**

**Sample: Dom 1**
**23K0143-07 (Water)**

Sampled: 11/2/2023 10:25
Sampled By: Joe

| Analyte | Result | Units | Reporting Limit | DIL | DW MCL | Date/Time Analyzed | Method | Notes | Batch |
|---|---|---|---|---|---|---|---|---|---|
| **Electrical Conductivity** | **0.35** | mmhos/cm | 0.01 | 1 | | 11/06/23 10:12 | SM 2510 B | | BEK0126 |
| **Electrical Conductivity umhos** | **351** | umhos/cm | 10.0 | 1 | | 11/06/23 10:12 | SM 2510 B | | BEK0126 |
| Ammonia (as N) | * | mg/L | 0.00 | 1 | | 11/02/23 10:25 | Field | | BEK0189 |
| Nitrate Nitrogen as NO3N | ND | mg/L | 0.1 | 1 | 10 | 11/04/23 02:59 | EPA 300.0 | | BEK0070 |
| **Temperature** | **25.0** | units | 0.0 | 1 | | 11/06/23 10:12 | SM 4500-H+ | H | BEK0126 |
| **pH** | **7.0** | units | 1.0 | 1 | | 11/06/23 10:12 | SM 4500-H+ | H | BEK0126 |

*The results in this report apply to the samples as received and were analyzed in accordance with the chain of custody document. This analytical report must be reproduced in its entirety. All results listed in this report are for the exclusive use of the submitting party. Dellavalle Laboratory, Inc. assumes no responsibility for report alteration, separation, detachment or third party interpretation.*

DELLAVALLE™ LABORATORY INC

3 Machados Dairy
3412 W Sandy Mush Road
Merced, CA 95341

Account# 00-0022209
Account Manager: Ben Nydam
Submitted By:

Received: 11/02/2023 16:00
Reported: 11/07/2023 12:08

## Sample Results
**(Continued)**

**Sample: Dom 1 Shipee**
**23K0143-08 (Water)**

Sampled: 11/2/2023 10:28
Sampled By: Joe

| Analyte | Result | Units | Reporting Limit | DIL | DW MCL | Date/Time Analyzed | Method | Notes | Batch |
|---|---|---|---|---|---|---|---|---|---|
| **Electrical Conductivity** | **1.16** | mmhos/cm | 0.01 | 1 | | 11/06/23 10:14 | SM 2510 B | | BEK0126 |
| **Electrical Conductivity umhos** | **1160** | umhos/cm | 10.0 | 1 | | 11/06/23 10:14 | SM 2510 B | | BEK0126 |
| Ammonia (as N) | * | mg/L | 0.00 | 1 | | 11/02/23 10:28 | Field | | BEK0189 |
| **Nitrate Nitrogen as NO3N** | **19.2** | mg/L | 0.1 | 1 | 10 | 11/04/23 03:19 | EPA 300.0 | | BEK0070 |
| **Temperature** | **25.0** | units | 0.0 | 1 | | 11/06/23 10:14 | SM 4500-H+ | H | BEK0126 |
| **pH** | **8.0** | units | 1.0 | 1 | | 11/06/23 10:14 | SM 4500-H+ | H | BEK0126 |

*The results in this report apply to the samples as received and were analyzed in accordance with the chain of custody document. This analytical report must be reproduced in its entirety. All results listed in this report are for the exclusive use of the submitting party. Dellavalle Laboratory, Inc. assumes no responsibility for report alteration, separation, detachment or third party interpretation.*

DELLAVALLE™ LABORATORY INC

3 Machados Dairy
3412 W Sandy Mush Road
Merced, CA 95341

Account# 00-0022209
Account Manager: Ben Nydam
Submitted By:

Received: 11/02/2023 16:00
Reported: 11/07/2023 12:08

## Quality Control

| Analyte | Result | Qual | Reporting Limit | Units | Spike Level | Source Result | %REC | %REC Limits | RPD | RPD Limit |
|---|---|---|---|---|---|---|---|---|---|---|
| ***Batch: BEK0070*** | | | | | | | | | | |
| **Blank (BEK0070-BLK1)** | | | | | Prepared & Analyzed: 11/3/2023 | | | | | |
| Nitrate Nitrogen as NO3N | ND | | 0.1 | mg/L | | | | | | |
| **Blank (BEK0070-BLK2)** | | | | | Prepared & Analyzed: 11/3/2023 | | | | | |
| Nitrate Nitrogen as NO3N | ND | | 0.1 | mg/L | | | | | | |
| **Blank (BEK0070-BLK3)** | | | | | Prepared & Analyzed: 11/4/2023 | | | | | |
| Nitrate Nitrogen as NO3N | ND | | 0.1 | mg/L | | | | | | |
| **LCS (BEK0070-BS1)** | | | | | Prepared & Analyzed: 11/3/2023 | | | | | |
| Nitrate Nitrogen as NO3N | 5.0 | | 0.1 | mg/L | 5.000 | | 99.8 | 90-110 | | |
| **LCS (BEK0070-BS2)** | | | | | Prepared & Analyzed: 11/4/2023 | | | | | |
| Nitrate Nitrogen as NO3N | 5.0 | | 0.1 | mg/L | 5.000 | | 101 | 90-110 | | |
| **Duplicate (BEK0070-DUP1)** | | **Source: 23K0140-02** | | | Prepared & Analyzed: 11/3/2023 | | | | | |
| Nitrate Nitrogen as NO3N | ND | | 0.1 | mg/L | | ND | | | | 10 |
| **Duplicate (BEK0070-DUP2)** | | **Source: 23K0143-03** | | | Prepared & Analyzed: 11/4/2023 | | | | | |
| Nitrate Nitrogen as NO3N | 0.1 | | 0.1 | mg/L | | 0.1 | | | 1.92 | 10 |
| **Matrix Spike (BEK0070-MS1)** | | **Source: 23K0140-02** | | | Prepared & Analyzed: 11/3/2023 | | | | | |
| Nitrate Nitrogen as NO3N | 4.7 | | 0.1 | mg/L | 5.000 | ND | 94.9 | 90-110 | | |
| **Matrix Spike (BEK0070-MS2)** | | **Source: 23K0143-03** | | | Prepared & Analyzed: 11/4/2023 | | | | | |
| Nitrate Nitrogen as NO3N | 5.0 | | 0.1 | mg/L | 5.000 | 0.1 | 97.8 | 90-110 | | |
| **Reference (BEK0070-SRM1)** | | | | | Prepared & Analyzed: 11/3/2023 | | | | | |
| Nitrate Nitrogen as NO3N | 9.9 | | | mg/L | 10.00 | | 98.8 | 90-110 | | |
| **Reference (BEK0070-SRM2)** | | | | | Prepared & Analyzed: 11/4/2023 | | | | | |
| Nitrate Nitrogen as NO3N | 10.0 | | | mg/L | 10.00 | | 100 | 90-110 | | |
| **Reference (BEK0070-SRM3)** | | | | | Prepared & Analyzed: 11/4/2023 | | | | | |
| Nitrate Nitrogen as NO3N | 10.0 | | | mg/L | 10.00 | | 99.5 | 90-110 | | |

*The results in this report apply to the samples as received and were analyzed in accordance with the chain of custody document. This analytical report must be reproduced in its entirety. All results listed in this report are for the exclusive use of the submitting party. Dellavalle Laboratory, Inc. assumes no responsibility for report alteration, separation, detachment or third party interpretation.*

DocuSign Envelope ID: F8828B46-1CFF-48E6-B0F9-A467DB7F5BF4

DELLAVALLE™ LABORATORY INC

3 Machados Dairy
3412 W Sandy Mush Road
Merced, CA 95341

Account# 00-0022209
Account Manager: Ben Nydam
Submitted By:

Received: 11/02/2023 16:00
Reported: 11/07/2023 12:08

## Quality Control
**(Continued)**

| Analyte | Result | Qual | Reporting Limit | Units | Spike Level | Source Result | %REC | %REC Limits | RPD | RPD Limit |
|---|---|---|---|---|---|---|---|---|---|---|
| ***Batch: BEK0126*** | | | | | | | | | | |
| **Blank (BEK0126-BLK1)** | | | | | Prepared: 11/3/2023 | Analyzed: 11/6/2023 | | | | |
| Temperature | 25.0 | | 0.0 | units | | | | | | |
| Electrical Conductivity | ND | | 0.01 | mmhos/cm | | | | | | |
| Electrical Conductivity umhos | ND | | 10.0 | umhos/cm | | | | | | |
| pH | 5.4 | | 1.0 | units | | | | | | |
| **Blank (BEK0126-BLK2)** | | | | | Prepared: 11/3/2023 | Analyzed: 11/6/2023 | | | | |
| Electrical Conductivity | ND | | 0.01 | mmhos/cm | | | | | | |
| Temperature | 25.0 | | 0.0 | units | | | | | | |
| Electrical Conductivity umhos | ND | | 10.0 | umhos/cm | | | | | | |
| pH | 5.8 | | 1.0 | units | | | | | | |
| **Blank (BEK0126-BLK3)** | | | | | Prepared: 11/3/2023 | Analyzed: 11/6/2023 | | | | |
| Electrical Conductivity | ND | | 0.01 | mmhos/cm | | | | | | |
| Temperature | 25.0 | | 0.0 | units | | | | | | |
| Electrical Conductivity umhos | ND | | 10.0 | umhos/cm | | | | | | |
| pH | 5.8 | | 1.0 | units | | | | | | |
| **Duplicate (BEK0126-DUP1)** | | **Source: 23K0150-01** | | | Prepared: 11/3/2023 | Analyzed: 11/6/2023 | | | | |
| Electrical Conductivity | 0.41 | | 0.01 | mmhos/cm | | 0.42 | | | 1.20 | 10 |
| pH | 7.9 | | 1.0 | units | | 7.9 | | | 0.00 | 10 |
| Electrical Conductivity umhos | 414 | | 10.0 | umhos/cm | | 420 | | | 1.20 | 10 |
| **Duplicate (BEK0126-DUP2)** | | **Source: 23K0159-01** | | | Prepared: 11/3/2023 | Analyzed: 11/6/2023 | | | | |
| Electrical Conductivity | 0.76 | | 0.01 | mmhos/cm | | 0.76 | | | 0.0394 | 10 |
| Electrical Conductivity umhos | 761 | | 10.0 | umhos/cm | | 761 | | | 0.0394 | 10 |
| pH | 7.7 | | 1.0 | units | | 7.7 | | | 0.130 | 10 |
| **Reference (BEK0126-SRM1)** | | | | | Prepared: 11/3/2023 | Analyzed: 11/6/2023 | | | | |
| Electrical Conductivity | 517 | | | umhos/cm | 538.0 | | 96.1 | 90-110 | | |
| **Reference (BEK0126-SRM2)** | | | | | Prepared: 11/3/2023 | Analyzed: 11/6/2023 | | | | |
| pH | 7.5 | | | units | 7.520 | | 99.6 | 67021-101.32 | | |
| **Reference (BEK0126-SRM3)** | | | | | Prepared: 11/3/2023 | Analyzed: 11/6/2023 | | | | |
| Electrical Conductivity | 961 | | | umhos/cm | 1000 | | 96.1 | 90-110 | | |
| Electrical Conductivity umhos | 961 | | | umhos/cm | 1000 | | 96.1 | 90-110 | | |
| **Reference (BEK0126-SRM4)** | | | | | Prepared: 11/3/2023 | Analyzed: 11/6/2023 | | | | |
| Electrical Conductivity | 960 | | | umhos/cm | 1000 | | 96.0 | 90-110 | | |
| Electrical Conductivity umhos | 960 | | | umhos/cm | 1000 | | 96.0 | 90-110 | | |
| **Reference (BEK0126-SRM5)** | | | | | Prepared: 11/3/2023 | Analyzed: 11/6/2023 | | | | |
| Electrical Conductivity | 965 | | | umhos/cm | 1000 | | 96.5 | 90-110 | | |

*The results in this report apply to the samples as received and were analyzed in accordance with the chain of custody document. This analytical report must be reproduced in its entirety. All results listed in this report are for the exclusive use of the submitting party. Dellavalle Laboratory, Inc. assumes no responsibility for report alteration, separation, detachment or third party interpretation.*

DocuSign Envelope ID: F8828B46-1CFF-48E6-B0F9-A467DB7F5BF4

DELLAVALLE™ LABORATORY INC

3 Machados Dairy
3412 W Sandy Mush Road
Merced, CA 95341

Account# 00-0022209
Account Manager: Ben Nydam
Submitted By:

Received: 11/02/2023 16:00
Reported: 11/07/2023 12:08

## Quality Control
**(Continued)**

| Analyte | Result | Qual | Reporting Limit | Units | Spike Level | Source Result | %REC | %REC Limits | RPD | RPD Limit |
|---|---|---|---|---|---|---|---|---|---|---|
| ***Batch: BEK0126 (Continued)*** | | | | | | | | | | |
| **Reference (BEK0126-SRM5)** | | | | | Prepared: 11/3/2023 | Analyzed: 11/6/2023 | | | | |
| Electrical Conductivity umhos | 965 | | | umhos/cm | 1000 | | 96.5 | 90-110 | | |
| **Reference (BEK0126-SRM6)** | | | | | Prepared: 11/3/2023 | Analyzed: 11/6/2023 | | | | |
| pH | 4.0 | | | units | 4.000 | | 100 | 97.5-102.5 | | |
| **Reference (BEK0126-SRM7)** | | | | | Prepared: 11/3/2023 | Analyzed: 11/6/2023 | | | | |
| pH | 4.0 | | | units | 4.000 | | 100 | 97.5-102.5 | | |
| **Reference (BEK0126-SRM8)** | | | | | Prepared: 11/3/2023 | Analyzed: 11/6/2023 | | | | |
| pH | 4.0 | | | units | 4.000 | | 100 | 97.5-102.5 | | |

*The results in this report apply to the samples as received and were analyzed in accordance with the chain of custody document. This analytical report must be reproduced in its entirety. All results listed in this report are for the exclusive use of the submitting party. Dellavalle Laboratory, Inc. assumes no responsibility for report alteration, separation, detachment or third party interpretation.*

DocuSign Envelope ID: F8828B46-1CFF-48E6-B0F9-A467DB7F5BF4

11/02/23 16:00 23K0143

# DELLAVALLE LABORATORY, INC.

1910 W. McKinley Avenue, Suite 110 • Fresno, CA 93728
www.dellavallelab.com 559 233-6129 · 800 228-9896 · Fax 559 268-8174

Purchase Order No

Bill To: 22209 Acct # | 8 Cons #

No. Samples: 8 No of Bottles: 8

Results Need By

**Water Type:** [ ] Drinking Water [ ] Wastewater [ ] Ag Water [X] Groundwater [ ] Monitoring Well

**Name:** 3 Machados Dairy

**Address:** 3412 W Sandy Mush Road

**City:** Merced **State:** CA **Zip:** 95341

**Telephone:** **Fax:**

**Cell/Email:** jandemachado@sbcglobal.net

**COPY TO:** krhodes@fragservices.com
ariordan@fragservices.com

**REQUESTED BY:**

**PROJECT:**

**CROP:** FRESH WATER

[X] Copy of Chain [X] QA/QC Documents

Sampled By: ~~FR Ag Services~~ JOE

**Other:**

**Analysis and Bottles Required: (*Please indicate Analysis*)**

(X) DWW1: EC, $NO_3$-N NH4-N Field Test
(1-1 Liter Plastic, Unpreserved) White Per Sample

( ) DWW2: DWW1 Plus $SO_4$, $CO_3$, $HCO_3$, Cl, Ca, Mg, Na, TDS
(1-1 Liter Plastic, Unpreserved) White Per Sample

( ) DCW1: EC, $NO_3$-N, TKN, TN, TDS
(1-1 Liter Plastic, Unpreserved) White Per Sample

( ) DPW1: EC, $NO_3$-N, $NH_4$-N, TKN, TDS, TP, TK
(1-1 Liter Plastic, Unpreserved) White Per Sample

( ) DPW2: DPW1 Plus Ca, Mg, Na, $HCO_3$, $CO_3$, $SO_4$, Cl
(1-1 Liter Plastic, Unpreserved) White Per Sample

( ) Other

| | Description of Samples | Date Sampled | Time Sampled | Rec'd Temp °C | Field $NH_4$-N |
|---|---|---|---|---|---|
| 1 | DOM NORTH LONE TREE | 11/2 | 1000 | 1.6 | |
| 2 | DOM SOUTH LONE TREE | | 1005 | 1.3 | |
| 3 | DOM 5 NEW | | 1007 | 2.1 | |
| 4 | DOM 4 | | 1009 | 0.7 | |
| 5 | DOM 3 | | 1013 | 1.1 | |
| 6 | DOM 2 | | 1017 | 1.4 | |
| 7 | DOM 1 | | 1025 | 1.4 | |
| 8 | DOM 1 SHIPGE | | 1028 | 1.0 | |
| 9 | | | 1040 | | |
| 10 | | | | | |

* IR Thermometer SN: 200560723
Correction Factor: 0°C
* Calibration Due: 12/22/2023
Location: Laboratory

**CHAIN OF CUSTODY**

| Carrier | Signature | Company | Received (Date/Time) | Relinquished (Date/Time) |
|---|---|---|---|---|
| First | Kierstan Rhodes | FR Ag Services | 11/2 | |
| Second | JLF | DLV | 11-2-23 2:00 | 11-2-23 3:45 |
| Third | | | | |
| Fourth | | DVI | 11/2 | |

I guarantee that as the client, or on behalf of client named, I have the authority to contract the above requested services. Should it be found that I do not have such authority, I agree to be personally liable for all costs and, if there should be action against me for this breach, reasonable attorneys' fees. It is understood that payment is expected to be cash with samples unless terms have been previously arranged. Terms are net 30 days; overdue accounts will be charged a liquidated damage fee of 2% per month (annually 24%) or $5.00 per month whichever is greater.

If payment is not made when due and a legitimate dispute exists concerning the product or services of Dellavalle Laboratory, Inc., it will be submitted to mediation under the Rules and Procedures of Creative Alternative to Litigation, Inc. (*cal*). If the dispute is not resolved in mediation, then the dispute will be submitted to binding arbitration through *cal* under its Rules and Procedures. The parties will equally bear the costs of mediation/arbitration. If, however, the mediator declares that no legitimate dispute exists, then debtor will pay all mediation and arbitration costs, and in the event of arbitration, reasonable attorneys' fees of Dellavalle Laboratory.

***Invoicing Information:***
Sampling hrs
Miles
Consulting

***Shipping***
$ In
$ Out

| Amt Paid | Rec By | Check # | Date |
|---|---|---|---|
| | | | |

**Signature**

Sample received in cooler with ice (coolant)
[ ] Yes [ ] No

X:\1-CLIENT CUSTOM FIELDSHEETS\FIELDSHEETS\Dairy Fieldsheets\[3 Machados Dairy Water.xls]Dairy Water

DocuSign Envelope ID: F8828B46-1CFF-48E6-B0F9-A467DB7F5BF4

Paste Label Here

**Shipping Information:** Shipped In ☐ Picked-Up ☒ Walk In ☐ DLI Sampler ☐ Other ☐ _____

☐ Samples refridgerated before pick up | ☐ Picked up samples placed in Ice chest

**Container:** Ice Chest ☒ Box ☐ None ☐ | **Refrigerant:** Wet Ice ☒ Blue Ice ☐ None ☐

**Samples Preserved with $HNO_3$ or $H_2SO_4$ were:** ☐ Received Preserved ☐ Preserved Upon Receipt at Laboratory

| | Type of Container(s) Received | Sample Number 1 | 2 | 3 | 4 | 5 | 6 | 7 | 8 | 9 | 10 |
|---|---|---|---|---|---|---|---|---|---|---|---|
| | **Sample Containers for Internal (DLI) Use** *(Contain* | | | | | | | | | | |
| Plastics | 100 mL sterile plastic $Na_2S_2O_3$ (Green) | | | | | | | | | | |
| Plastics | 250 mL unpreserved (White) Plastic | | | | | | | | | | |
| Plastics | 250 mL $HNO_3$ (Red) Plastic | | | | | | | | | | |
| Plastics | * pH Value | | | | | | | | | | |
| Plastics | 250 mL $H_2SO_4$ (Yellow) Plastic | | | | | | | | | | |
| Plastics | * pH Value | | | | | | | | | | |
| Plastics | 500 mL unpreserved (White) Plastic | | | | | | | | | | |
| Plastics | 1 L unpreserved (White) Plastic | | | | | | | | | | |
| Plastics | 1 L unpreserved (BOD) (Purple) Plastic | | | | | | | | | | |
| Special | 500mL unpreserved (White) Glass | | | | | | | | | | |
| Special | PO4-P Kit | | | | | | | | | | |
| Special | **Other:** | | | | | | | | | | |
| | **Sample Containers for Subcontracted ("Send Out") Analyses** *(Containers that go in the Subcontract ("Send Out") Refrigerator)* | | | | | | | | | | |
| Plastics | 100 mL sterile plastic $Na_2S_2O_3$ (Green) | | | | | | | | | | |
| Plastics | 250 mL unpreserved (White) Plastic | | | | | | | | | | |
| Plastics | 250 mL $HNO_3$ (Red) Plastic | | | | | | | | | | |
| Plastics | 250 mL $H_2SO_4$ (Yellow) Plastic | | | | | | | | | | |
| Plastics | 500 mL $HNO_3$ (Red) | | | | | | | | | | |
| Plastics | 1 L unpreserved (White) Plastic | | | | | | | | | | |
| Plastics | 1 L unpreserved (BOD) (Purple) Plastic | | | | | | | | | | |
| Plastics | 1 L $HNO_3$ (Red) | | | | | | | | | | |
| VOA Vials | 40 mL VOA, $Na_2S_2O_3$ + MCAA (EPA531) | | | | | | | | | | |
| VOA Vials | 40 mL VOA, $Na_2S_2O_3$ (EPA547) | | | | | | | | | | |
| VOA Vials | 40mL AG VOA unpreserved (White) (Set of 3) | | | | | | | | | | |
| VOA Vials | 40 mL AG VOA, $Na_2S_2O_3$ (Green) (Set of 3) | | | | | | | | | | |
| VOA Vials | 40mL VOA, $H_3PO_4$ (Set of 3) | | | | | | | | | | |
| VOA Vials | 40 mL VOA, HCl (Blue) (Set of 3) | | | | | | | | | | |
| VOA Vials | 40 mL VOA, $Na_2S_2O_3$ (Green) (Set of 3) | | | | | | | | | | |
| Glass | 250 mL AG unpreserved (White) | | | | | | | | | | |
| Glass | 250 mL AG $H_2SO_4$ (Yellow) | | | | | | | | | | |
| Glass | 250 mL AG $Na_2S_2O_3$ (Green) | | | | | | | | | | |
| Glass | 250 mL AG $Na_2S_2O_3$ + MCAA | | | | | | | | | | |
| Glass | 500 mL glass unpreserved (White) | | | | | | | | | | |
| Glass | 500 mL AG HCl (Blue) | | | | | | | | | | |
| Glass | 1 L AG unpreserved (White) | | | | | | | | | | |
| Glass | 1 L AG $H_2SO_4$ (Yellow) | | | | | | | | | | |
| Glass | 1 L AG $Na_2S_2O_3$ (Green) | | | | | | | | | | |
| Glass | 1 L AG HCl (Blue) | | | | | | | | | | |
| Special | $Cr^{6+}$ - 50mL Plastic w/Borate/$HCO_3$/$CO_3$ | | | | | | | | | | |
| Special | Cyanide - 500 mL NaOH | | | | | | | | | | |
| Special | Asbestos - 1L P wrapped in foil (Set of 2) | | | | | | | | | | |
| Special | Sulfide - 1 L **AG** or **P** NaOH + ZnAc | | | | | | | | | | |
| Special | Chlorite/Bromate - 250 mL AG with EDA | | | | | | | | | | |
| Special | HAA5 - 250mL AG Ammonium Chlorite | | | | | | | | | | |
| Special | DO KIT | | | | | | | | | | |
| Special | **Other:** | | | | | | | | | | |
| Special | **Other:** | | | | | | | | | | |

11/02/23 16:00 23K0143

SEND OUT