Annual Report - General Order No. R5-2007-0035
Reporting period 01/01/2023 to 12/31/2023.

DAIRY FACILITY INFORMATION

A. NAME OF DAIRY OR BUSINESS OPERATING THE DAIRY: Double D Dairy #2

Physical address of dairy:

Number and Street	City	County	Zip Code
3636 E Monte Vista AVE	Ceres	Stanislaus	95307

Street and nearest cross street (if no address):

Date facility was originally placed in operation: 12/28/1976

Regional Water Quality Control Board Basin Plan designation: San Joaquin River Basin

County Assessor Parcel Number(s) for dairy facility:

X022-X017-X006-XXXX

B. OPERATORS

Agresti, Harold

Operator name: Agresti, Harold

Telephone no.: (209) 637-4133 Landline, (209) 581-1906 Cellular

Mailing Address Number and Street	City	State	Zip Code
1441 E Monte Vista AVE	Ceres	CA	95307

This operator is responsible for paying permit fees.

Assali, Dominic

Operator name: Assali, Dominic

Telephone no.: (209) 537-4133 Landline, (209) 542-0281 Cellular

Mailing Address Number and Street	City	State	Zip Code
1441 E Monte Vista AVE	Ceres	CA	95307

C. OWNERS

Agresti, Harold

Legal owner name:	Agresti, Harold	Telephone no.:	(209) 637-4133	(209) 581-1906
			Landline	Cellular
1441 E Monte Vista AVE	Ceres		CA	95307
Mailing Address Number and Street	City		State	Zip Code

This owner is responsible for paying permit fees.

Assali, Dominic

Legal owner name:	Assali, Dominic	Telephone no.:	(209) 537-4133	(209) 542-0281
			Landline	Cellular
1441 E Monte Vista AVE	Ceres		CA	95307
Mailing Address Number and Street	City		State	Zip Code

Annual Report - General Order No. R5-2007-0035
Reporting period 01/01/2023 to 12/31/2023.

AVAILABLE NUTRIENTS

A. HERD INFORMATION

	Milk Cows	Dry Cows	Bred Heifers (15-24 mo.)	Heifers (7-14 mo. to breeding)	Calves (4-6 mo.)	Calves (0-3 mo.)
Number open confinement	0	0	0	0	0	0
Number under roof	570	0	1,000	0	0	0
Maximum number	575	0	1,000	0	0	0
Average number	575	0	1,000	0	0	0
Avg live weight (lbs)	1,300	0	900	0		

Predominant milk cow breed: Holstein

Average milk production: 73 *pounds per cow per day*

B. MANURE GENERATED

Total manure excreted by the herd: 25,078.35 *tons per reporting period*

Total nitrogen from manure: 290,390.50 *lbs per reporting period*

After ammonia losses (30% loss applied): 203,273.35 *lbs per reporting period*

Total phosphorus from manure: 49,193.95 *lbs per reporting period*

Total potassium from manure: 111,251.13 *lbs per reporting period*

Total salt from manure: 270,738.75 *lbs per reporting period*

C. PROCESS WASTEWATER GENERATED

Process wastewater generated: 12,510,000 *gallons*

Total nitrogen generated: 45,879.64 *lbs*

Total phosphorus generated: 5,434.95 *lbs*

Total potassium generated: 45,640.81 *lbs*

Total salt generated: 404,620.68 *lbs*

	9,195,000	*gallons applied*
+	3,315,000	*gallons exported*
-	0	*gallons imported*
=	12,510,000	*gallons generated*

D. FRESH WATER SOURCES

Source Description	Type
IW Canal	Ground water
IW Shop	Ground water
TID Ceres Main	Surface water

E. SUBSURFACE (TILE) DRAINAGE SOURCES

No subsurface (tile) drainage sources entered.

F. NUTRIENT IMPORTS

No dry manure nutrient imports entered.

No process wastewater nutrient imports entered.

Date	Material type / Description	Quantity	Reporting basis	Moisture (%)	N (%)	P (%)	K (%)	Salt (%)
05/16/2023	Solid commercial fertilizer *UN32*	6.33 *ton*	Dry-weight	0.1	32.000000	0.000000	0.000000	0.000000

Material type	Total N (lbs)	Total P (lbs)	Total K (lbs)	Total salt (lbs)
Commercial fertilizer / Other	4,047.15	0.00	0.00	0.00
Dry manure	0.00	0.00	0.00	0.00
Process wastewater	0.00	0.00	0.00	0.00
Total imports for all materials	4,047.15	0.00	0.00	0.00

G. NUTRIENT EXPORTS

Date	Material type	Quantity	Reporting basis	Moisture (%)	Density (lbs/cu ft)	N (mg/kg)	P (mg/kg)	K (mg/kg)	Salt (mg/kg)	TFS (%)
05/12/2023	Separator solids	4,240.00 *ton*	Dry-weight	76.5		20,400.00	3,010.00	6,960.00		12.50
10/17/2023	Compost	1,060.00 *ton*	Dry-weight	15.6		25,700.00	2,340.00	8,020.00		21.30

Date	Material type	Quantity	Kjeldahl-N (mg/L)	Ammonium-N (mg/L)	Ammonia-N (mg/L)	Nitrate-N (mg/L)	P (mg/L)	K (mg/L)	EC (µmhos/cm)	TDS (mg/L)
03/05/2023	Process wastewater	240,000.00 *gal*	1,070.00	400.00	0.00	0.00	133.00	1,040.00		4,700
03/18/2023	Process wastewater	240,000.00 *gal*	1,070.00	400.00	0.00	0.00	133.00	1,040.00		4,700
04/02/2023	Process wastewater	360,000.00 *gal*	795.00	286.00	0.00	0.00	62.40	667.00		7,160
05/25/2023	Process wastewater	420,000.00 *gal*	795.00	286.00	0.00	0.00	62.40	667.00		7,160
07/12/2023	Process wastewater	315,000.00 *gal*	224.00	86.80	0.00	0.00	37.00	242.00		2,100
07/29/2023	Process wastewater	300,000.00 *gal*	224.00	86.80	0.00	0.00	37.00	242.00		2,100
08/09/2023	Process wastewater	660,000.00 *gal*	224.00	86.80	0.00	0.00	37.00	242.00		2,100
08/31/2023	Process wastewater	300,000.00 *gal*	224.00	86.80	0.00	0.00	37.00	242.00		2,100
10/27/2023	Process wastewater	480,000.00 *gal*	274.00	171.00	0.00	0.00	48.80	361.00		3,280

Material type	Total N (lbs)	Total P (lbs)	Total K (lbs)	Total salt (lbs)
Dry manure	86,637.62	10,185.24	28,219.91	630,216.64
Process wastewater	13,502.38	1,620.69	13,134.11	106,170.93

Total exports for all materials	100,139.99	11,805.93	41,354.03	736,387.57

APPLICATION AREA

A. LIST OF LAND APPLICATION AREAS

Field name	Controlled acres	Cropable acres	Total harvests	Type of waste applied	Parcel number
Barber	69	69	1	manure	X022-X014-X025-XXXX
Bettencourt	36	36	1	none	X022-X017-X007-XXXX
Canal Roberts Road	19	19	1	manure	X022-X016-X005-XXXX
Field #1	19	19	2	process wastewater	X022-X017-X004-XXXX
Field #2	59	59	2	process wastewater	X022-X017-X006-XXXX
Jackson	41	41	1	none	X023-X005-X009-XXXX
Totals for areas that were used for application	166	166	6		
Totals for areas that were not used for application	77	77	2		
Land application area totals	243	243	8		

B. CROPS AND HARVESTS

Barber

Field name: Barber

02/02/2001: Almond, in shell

Crop: Almond, in shell Acres planted: 69 Plant date: 02/02/2001

Harvest date	Yield	Reporting basis	Density (lbs/cu ft)	Moisture (%)	N (mg/kg)	P (mg/kg)	K (mg/kg)	Salt (mg/kg)	TFS (%)
09/16/2023	441.00 *ton*	As-is		18.0	7,220.00	1,000.00	28,400.00		6.69

	Yield (tons/acre)	Total N (lbs/acre)	Total P (lbs/acre)	Total K (lbs/acre)	Salt (lbs/acre)
Anticipated harvest content	5.00	215.00	36.50	232.50	0.00
Total actual harvest content	6.39	92.29	12.78	363.03	701.23

Bettencourt

Field name: Bettencourt

Bettencourt

02/02/2023: Almond, in shell

Crop: Almond, in shell Acres planted: 36 Plant date: 02/02/2023

Harvest date	Yield	Reporting basis	Density (lbs/cu ft)	Moisture (%)	N (mg/kg)	P (mg/kg)	K (mg/kg)	Salt (mg/kg)	TFS (%)
12/31/2023	0.10 *ton*	As-is		0.1	0.00	0.00	0.00		0.00

	Yield (tons/acre)	Total N (lbs/acre)	Total P (lbs/acre)	Total K (lbs/acre)	Salt (lbs/acre)
Anticipated harvest content	0.10	4.30	0.73	4.65	0.00
Total actual harvest content	0.00	0.00	0.00	0.00	0.00

Canal Roberts Road

Field name: Canal Roberts Road

02/15/2023: Almond, in shell

Crop: Almond, in shell Acres planted: 19 Plant date: 02/15/2023

Harvest date	Yield	Reporting basis	Density (lbs/cu ft)	Moisture (%)	N (mg/kg)	P (mg/kg)	K (mg/kg)	Salt (mg/kg)	TFS (%)
09/19/2023	118.00 *ton*	As-is		23.2	5,220.00	980.00	2,860.00		11.40

	Yield (tons/acre)	Total N (lbs/acre)	Total P (lbs/acre)	Total K (lbs/acre)	Salt (lbs/acre)
Anticipated harvest content	5.00	215.00	36.50	232.50	0.00
Total actual harvest content	6.21	64.84	12.17	35.52	1,087.49

Field #1

Field name: Field #1

Field #1

11/09/2022: Oats, silage-soft dough

Crop: Oats, silage-soft dough Acres planted: 19 Plant date: 11/09/2022

Harvest date	Yield	Reporting basis	Density (lbs/cu ft)	Moisture (%)	N (mg/kg)	P (mg/kg)	K (mg/kg)	Salt (mg/kg)	TFS (%)
05/09/2023	354.00 *ton*	As-is		61.6	3,720.00	1,310.00	8,450.00		5.69

	Yield (tons/acre)	Total N (lbs/acre)	Total P (lbs/acre)	Total K (lbs/acre)	Salt (lbs/acre)
Anticipated harvest content	16.00	160.00	25.60	132.80	0.00
Total actual harvest content	18.63	138.62	48.81	314.87	814.19

05/26/2023: Corn, silage

Crop: Corn, silage Acres planted: 19 Plant date: 05/26/2023

Harvest date	Yield	Reporting basis	Density (lbs/cu ft)	Moisture (%)	N (mg/kg)	P (mg/kg)	K (mg/kg)	Salt (mg/kg)	TFS (%)
09/15/2023	605.00 *ton*	As-is		71.0	3,710.00	950.00	7,350.00		6.69

	Yield (tons/acre)	Total N (lbs/acre)	Total P (lbs/acre)	Total K (lbs/acre)	Salt (lbs/acre)
Anticipated harvest content	35.00	280.00	52.50	231.00	0.00
Total actual harvest content	31.84	236.27	60.50	468.08	1,235.54

Field #2

Field name: Field #2

11/09/2022: Oats, silage-soft dough

Crop: Oats, silage-soft dough Acres planted: 59 Plant date: 11/09/2022

Harvest date	Yield	Reporting basis	Density (lbs/cu ft)	Moisture (%)	N (mg/kg)	P (mg/kg)	K (mg/kg)	Salt (mg/kg)	TFS (%)
05/09/2023	1,123.00 *ton*	As-is		62.0	2,890.00	870.00	8,740.00		4.38

	Yield (tons/acre)	Total N (lbs/acre)	Total P (lbs/acre)	Total K (lbs/acre)	Salt (lbs/acre)
Anticipated harvest content	16.00	160.00	25.60	132.80	0.00
Total actual harvest content	19.03	110.02	33.12	332.71	633.60

Field #2

05/26/2023: Corn, silage

Crop: Corn, silage Acres planted: 59 Plant date: 05/26/2023

Harvest date	Yield	Reporting basis	Density (lbs/cu ft)	Moisture (%)	N (mg/kg)	P (mg/kg)	K (mg/kg)	Salt (mg/kg)	TFS (%)
09/15/2023	1,796.00 *ton*	As-is		70.0	4,340.00	860.00	6,620.00		7.10

	Yield (tons/acre)	Total N (lbs/acre)	Total P (lbs/acre)	Total K (lbs/acre)	Salt (lbs/acre)
Anticipated harvest content	35.00	280.00	52.50	231.00	0.00
Total actual harvest content	30.44	264.23	52.36	403.03	1,296.77

Jackson

Field name: Jackson

02/02/2023: Almond, in shell

Crop: Almond, in shell Acres planted: 41 Plant date: 02/02/2023

Harvest date	Yield	Reporting basis	Density (lbs/cu ft)	Moisture (%)	N (mg/kg)	P (mg/kg)	K (mg/kg)	Salt (mg/kg)	TFS (%)
12/31/2023	0.10 *ton*	As-is		0.1	0.00	0.00	0.00		0.00

	Yield (tons/acre)	Total N (lbs/acre)	Total P (lbs/acre)	Total K (lbs/acre)	Salt (lbs/acre)
Anticipated harvest content	0.10	4.30	0.73	4.65	0.00
Total actual harvest content	0.00	0.00	0.00	0.00	0.00

NUTRIENT BUDGET

A. LAND APPLICATIONS

Barber - 02/02/2001: Almond, in shell

Field name: Barber

Crop: Almond, in shell

Plant date: 02/02/2001

Application date	Application method	Precipitation 24 hours prior	Precipitation during application	Precipitation 24 hours following
10/01/2022	Surface (irrigation)	No precipitation	No precipitation	No precipitation

Source description	Material type	N (lbs/acre)	P (lbs/acre)	K (lbs/acre)	Salt (lbs/acre)	Amount
TID Ceres Main	Surface water	1.33	0.00	0.00	0.00	6,698,413.00 *gal*
Application event totals		1.33	0.00	0.00	0.00	

Application date	Application method	Precipitation 24 hours prior	Precipitation during application	Precipitation 24 hours following
11/16/2022	Broadcast/incorporate	No precipitation	No precipitation	No precipitation

Source description	Material type	N (lbs/acre)	P (lbs/acre)	K (lbs/acre)	Salt (lbs/acre)	Amount
Separator	Separator solids	42.93	5.59	15.78	238.32	150.00 *ton*
Application event totals		42.93	5.59	15.78	238.32	

Application date	Application method	Precipitation 24 hours prior	Precipitation during application	Precipitation 24 hours following
04/01/2023	Surface (irrigation)	No precipitation	No precipitation	No precipitation

Source description	Material type	N (lbs/acre)	P (lbs/acre)	K (lbs/acre)	Salt (lbs/acre)	Amount
TID Ceres Main	Surface water	0.00	0.00	0.00	19.44	13,396,826.00 *gal*
Application event totals		0.00	0.00	0.00	19.44	

Application date	Application method	Precipitation 24 hours prior	Precipitation during application	Precipitation 24 hours following
04/19/2023	Sidedress	No precipitation	No precipitation	No precipitation

Source description	Material type	N (lbs/acre)	P (lbs/acre)	K (lbs/acre)	Salt (lbs/acre)	Amount
UN32	Solid commercial fertilizer	32.00	0.00	0.00	0.00	
Application event totals		32.00	0.00	0.00	0.00	

Application date	Application method	Precipitation 24 hours prior	Precipitation during application	Precipitation 24 hours following
05/01/2023	Surface (irrigation)	No precipitation	No precipitation	No precipitation

Source description	Material type	N (lbs/acre)	P (lbs/acre)	K (lbs/acre)	Salt (lbs/acre)	Amount
TID Ceres Main	Surface water	0.00	0.00	0.00	19.44	13,396,826.00 *gal*
Application event totals		0.00	0.00	0.00	19.44	

Barber - 02/02/2001: Almond, in shell

Application date	Application method	Precipitation 24 hours prior	Precipitation during application	Precipitation 24 hours following
06/01/2023	Surface (irrigation)	No precipitation	No precipitation	No precipitation

Source description	Material type	N (lbs/acre)	P (lbs/acre)	K (lbs/acre)	Salt (lbs/acre)	Amount
TID Ceres Main	Surface water	0.00	0.00	0.00	19.44	13,396,826.00 *gal*
Application event totals		0.00	0.00	0.00	19.44	

Application date	Application method	Precipitation 24 hours prior	Precipitation during application	Precipitation 24 hours following
07/01/2023	Surface (irrigation)	No precipitation	No precipitation	No precipitation

Source description	Material type	N (lbs/acre)	P (lbs/acre)	K (lbs/acre)	Salt (lbs/acre)	Amount
TID Ceres Main	Surface water	0.00	0.00	0.00	19.44	13,396,826.00 *gal*
Application event totals		0.00	0.00	0.00	19.44	

Application date	Application method	Precipitation 24 hours prior	Precipitation during application	Precipitation 24 hours following
08/01/2023	Surface (irrigation)	No precipitation	No precipitation	No precipitation

Source description	Material type	N (lbs/acre)	P (lbs/acre)	K (lbs/acre)	Salt (lbs/acre)	Amount
TID Ceres Main	Surface water	0.00	0.00	0.00	19.44	13,396,826.00 *gal*
Application event totals		0.00	0.00	0.00	19.44	

Application date	Application method	Precipitation 24 hours prior	Precipitation during application	Precipitation 24 hours following
09/01/2023	Surface (irrigation)	No precipitation	No precipitation	No precipitation

Source description	Material type	N (lbs/acre)	P (lbs/acre)	K (lbs/acre)	Salt (lbs/acre)	Amount
TID Ceres Main	Surface water	0.00	0.00	0.00	9.72	6,698,413.00 *gal*
Application event totals		0.00	0.00	0.00	9.72	

Bettencourt - 02/02/2023: Almond, in shell

Field name: Bettencourt

Crop: Almond, in shell

Plant date: 02/02/2023

Application date	Application method	Precipitation 24 hours prior	Precipitation during application	Precipitation 24 hours following
04/01/2023	Surface (irrigation)	No precipitation	No precipitation	No precipitation

Source description	Material type	N (lbs/acre)	P (lbs/acre)	K (lbs/acre)	Salt (lbs/acre)	Amount
TID Ceres Main	Surface water	0.00	0.00	0.00	10.17	3,656,261.00 *gal*
Application event totals		0.00	0.00	0.00	10.17	

Bettencourt - 02/02/2023: Almond, in shell

Application date	Application method	Precipitation 24 hours prior	Precipitation during application	Precipitation 24 hours following
05/01/2023	Surface (irrigation)	No precipitation	No precipitation	No precipitation

Source description	Material type	N (lbs/acre)	P (lbs/acre)	K (lbs/acre)	Salt (lbs/acre)	Amount
TID Ceres Main	Surface water	0.00	0.00	0.00	20.34	7,312,522.00 *gal*
Application event totals		0.00	0.00	0.00	20.34	

05/14/2023	Sidedress	No precipitation	No precipitation	No precipitation

Source description	Material type	N (lbs/acre)	P (lbs/acre)	K (lbs/acre)	Salt (lbs/acre)	Amount
UN32	Solid commercial fertilizer	16.00	0.00	0.00	0.00	
Application event totals		16.00	0.00	0.00	0.00	

06/01/2023	Surface (irrigation)	No precipitation	No precipitation	No precipitation

Source description	Material type	N (lbs/acre)	P (lbs/acre)	K (lbs/acre)	Salt (lbs/acre)	Amount
TID Ceres Main	Surface water	0.00	0.00	0.00	20.34	7,312,522.00 *gal*
Application event totals		0.00	0.00	0.00	20.34	

07/01/2023	Surface (irrigation)	No precipitation	No precipitation	No precipitation

Source description	Material type	N (lbs/acre)	P (lbs/acre)	K (lbs/acre)	Salt (lbs/acre)	Amount
TID Ceres Main	Surface water	0.00	0.00	0.00	20.34	7,312,522.00 *gal*
Application event totals		0.00	0.00	0.00	20.34	

08/01/2023	Surface (irrigation)	No precipitation	No precipitation	No precipitation

Source description	Material type	N (lbs/acre)	P (lbs/acre)	K (lbs/acre)	Salt (lbs/acre)	Amount
TID Ceres Main	Surface water	0.00	0.00	0.00	20.34	7,312,522.00 *gal*
Application event totals		0.00	0.00	0.00	20.34	

09/01/2023	Surface (irrigation)	No precipitation	No precipitation	No precipitation

Source description	Material type	N (lbs/acre)	P (lbs/acre)	K (lbs/acre)	Salt (lbs/acre)	Amount
TID Ceres Main	Surface water	0.00	0.00	0.00	20.34	7,312,522.00 *gal*
Application event totals		0.00	0.00	0.00	20.34	

Canal Roberts Road - 02/15/2023: Almond, in shell

Canal Roberts Road - 02/15/2023: Almond, in shell

Field name: Canal Roberts Road

Crop: Almond, in shell

Plant date: 02/15/2023

Application date	Application method	Precipitation 24 hours prior	Precipitation during application	Precipitation 24 hours following
10/01/2022	Surface (irrigation)	No precipitation	No precipitation	No precipitation

Source description	Material type	N (lbs/acre)	P (lbs/acre)	K (lbs/acre)	Salt (lbs/acre)	Amount
TID Ceres Main	Surface water	1.45	0.00	0.00	0.00	2,018,566.00 *gal*
Application event totals		1.45	0.00	0.00	0.00	

Application date	Application method	Precipitation 24 hours prior	Precipitation during application	Precipitation 24 hours following
11/16/2022	Broadcast/incorporate	No precipitation	No precipitation	No precipitation

Source description	Material type	N (lbs/acre)	P (lbs/acre)	K (lbs/acre)	Salt (lbs/acre)	Amount
Separator Solids	Separator solids	41.57	5.41	15.28	230.79	40.00 *ton*
Application event totals		41.57	5.41	15.28	230.79	

Application date	Application method	Precipitation 24 hours prior	Precipitation during application	Precipitation 24 hours following
04/01/2023	Surface (irrigation)	No precipitation	No precipitation	No precipitation

Source description	Material type	N (lbs/acre)	P (lbs/acre)	K (lbs/acre)	Salt (lbs/acre)	Amount
TID Ceres Main	Surface water	0.00	0.00	0.00	21.28	4,037,132.00 *gal*
Application event totals		0.00	0.00	0.00	21.28	

Application date	Application method	Precipitation 24 hours prior	Precipitation during application	Precipitation 24 hours following
04/16/2023	Sidedress	No precipitation	No precipitation	No precipitation

Source description	Material type	N (lbs/acre)	P (lbs/acre)	K (lbs/acre)	Salt (lbs/acre)	Amount
UN32	Solid commercial fertilizer	32.00	0.00	0.00	0.00	
Application event totals		32.00	0.00	0.00	0.00	

Application date	Application method	Precipitation 24 hours prior	Precipitation during application	Precipitation 24 hours following
05/01/2023	Surface (irrigation)	No precipitation	No precipitation	No precipitation

Source description	Material type	N (lbs/acre)	P (lbs/acre)	K (lbs/acre)	Salt (lbs/acre)	Amount
TID Ceres Main	Surface water	0.00	0.00	0.00	21.28	4,037,132.00 *gal*
Application event totals		0.00	0.00	0.00	21.28	

Application date	Application method	Precipitation 24 hours prior	Precipitation during application	Precipitation 24 hours following
06/01/2023	Surface (irrigation)	No precipitation	No precipitation	No precipitation

Source description	Material type	N (lbs/acre)	P (lbs/acre)	K (lbs/acre)	Salt (lbs/acre)	Amount
TID Ceres Main	Surface water	0.00	0.00	0.00	21.28	4,037,132.00 *gal*
Application event totals		0.00	0.00	0.00	21.28	

Canal Roberts Road - 02/15/2023: Almond, in shell

Application date	Application method	Precipitation 24 hours prior	Precipitation during application	Precipitation 24 hours following
07/01/2023	Surface (irrigation)	No precipitation	No precipitation	No precipitation

Source description	Material type	N (lbs/acre)	P (lbs/acre)	K (lbs/acre)	Salt (lbs/acre)	Amount
TID Ceres Main	Surface water	0.00	0.00	0.00	21.28	4,037,132.00 *gal*
Application event totals		0.00	0.00	0.00	21.28	

Application date	Application method	Precipitation 24 hours prior	Precipitation during application	Precipitation 24 hours following
08/01/2023	Surface (irrigation)	No precipitation	No precipitation	No precipitation

Source description	Material type	N (lbs/acre)	P (lbs/acre)	K (lbs/acre)	Salt (lbs/acre)	Amount
TID Ceres Main	Surface water	0.00	0.00	0.00	21.28	4,037,132.00 *gal*
Application event totals		0.00	0.00	0.00	21.28	

Application date	Application method	Precipitation 24 hours prior	Precipitation during application	Precipitation 24 hours following
09/01/2023	Surface (irrigation)	No precipitation	No precipitation	No precipitation

Source description	Material type	N (lbs/acre)	P (lbs/acre)	K (lbs/acre)	Salt (lbs/acre)	Amount
TID Ceres Main	Surface water	0.00	0.00	0.00	10.64	2,018,566.00 *gal*
Application event totals		0.00	0.00	0.00	10.64	

Field #1 - 11/09/2022: Oats, silage-soft dough

Field name: Field #1

Crop: Oats, silage-soft dough

Plant date: 11/09/2022

Application date	Application method	Precipitation 24 hours prior	Precipitation during application	Precipitation 24 hours following
10/14/2022	Surface (irrigation)	No precipitation	No precipitation	No precipitation

Source description	Material type	N (lbs/acre)	P (lbs/acre)	K (lbs/acre)	Salt (lbs/acre)	Amount
WWS	Process wastewater	42.16	7.26	65.25	465.91	240,000.00 *gal*
TID Ceres Main	Surface water	1.56	0.00	0.00	0.00	2,160,000.00 *gal*
Application event totals		43.72	7.26	65.25	465.91	

Field #1 - 11/09/2022: Oats, silage-soft dough

Application date	Application method	Precipitation 24 hours prior	Precipitation during application	Precipitation 24 hours following
02/15/2023	Surface (irrigation)	No precipitation	No precipitation	No precipitation

Source description	Material type	N (lbs/acre)	P (lbs/acre)	K (lbs/acre)	Salt (lbs/acre)	Amount
WWS	Process wastewater	56.39	7.01	54.81	247.71	120,000.00 *gal*
IW Shop	Ground water	3.57	0.00	0.00	44.27	180,000.00 *gal*
Application event totals		59.96	7.01	54.81	291.99	

Application date	Application method	Precipitation 24 hours prior	Precipitation during application	Precipitation 24 hours following
04/05/2023	Surface (irrigation)	No precipitation	No precipitation	No precipitation

Source description	Material type	N (lbs/acre)	P (lbs/acre)	K (lbs/acre)	Salt (lbs/acre)	Amount
WWS	Process wastewater	83.80	6.58	70.31	754.74	240,000.00 *gal*
TID Ceres Main	Surface water	0.00	0.00	0.00	11.38	2,160,000.00 *gal*
Application event totals		83.80	6.58	70.31	766.12	

Field #1 - 05/26/2023: Corn, silage

Field name: Field #1

Crop: Corn, silage

Plant date: 05/26/2023

Application date	Application method	Precipitation 24 hours prior	Precipitation during application	Precipitation 24 hours following
05/15/2023	Surface (irrigation)	No precipitation	No precipitation	No precipitation

Source description	Material type	N (lbs/acre)	P (lbs/acre)	K (lbs/acre)	Salt (lbs/acre)	Amount
WWS	Process wastewater	146.65	11.51	123.04	1,320.79	420,000.00 *gal*
TID Ceres Main	Surface water	0.00	0.00	0.00	19.92	3,780,000.00 *gal*
Application event totals		146.65	11.51	123.04	1,340.72	

Application date	Application method	Precipitation 24 hours prior	Precipitation during application	Precipitation 24 hours following
06/27/2023	Surface (irrigation)	No precipitation	No precipitation	No precipitation

Source description	Material type	N (lbs/acre)	P (lbs/acre)	K (lbs/acre)	Salt (lbs/acre)	Amount
TID Ceres Main	Surface water	0.00	0.00	0.00	15.65	2,970,000.00 *gal*
Application event totals		0.00	0.00	0.00	15.65	

Field #1 - 05/26/2023: Corn, silage

Application date	Application method	Precipitation 24 hours prior	Precipitation during application	Precipitation 24 hours following
07/09/2023	Surface (irrigation)	No precipitation	No precipitation	No precipitation

Source description	Material type	N (lbs/acre)	P (lbs/acre)	K (lbs/acre)	Salt (lbs/acre)	Amount
WWS	Process wastewater	30.99	5.12	33.48	290.54	315,000.00 *gal*
TID Ceres Main	Surface water	0.00	0.00	0.00	14.94	2,835,000.00 *gal*
Application event totals		30.99	5.12	33.48	305.48	

07/21/2023	Surface (irrigation)	No precipitation	No precipitation	No precipitation

Source description	Material type	N (lbs/acre)	P (lbs/acre)	K (lbs/acre)	Salt (lbs/acre)	Amount
WWS	Process wastewater	29.51	4.88	31.89	276.70	300,000.00 *gal*
TID Ceres Main	Surface water	0.00	0.00	0.00	14.23	2,700,000.00 *gal*
Application event totals		29.51	4.88	31.89	290.93	

08/02/2023	Surface (irrigation)	No precipitation	No precipitation	No precipitation

Source description	Material type	N (lbs/acre)	P (lbs/acre)	K (lbs/acre)	Salt (lbs/acre)	Amount
WWS	Process wastewater	32.47	5.36	35.08	304.37	330,000.00 *gal*
TID Ceres Main	Surface water	0.00	0.00	0.00	15.65	2,970,000.00 *gal*
Application event totals		32.47	5.36	35.08	320.03	

08/14/2023	Surface (irrigation)	No precipitation	No precipitation	No precipitation

Source description	Material type	N (lbs/acre)	P (lbs/acre)	K (lbs/acre)	Salt (lbs/acre)	Amount
WWS	Process wastewater	29.51	4.88	31.89	276.70	300,000.00 *gal*
TID Ceres Main	Surface water	0.00	0.00	0.00	14.23	2,700,000.00 *gal*
Application event totals		29.51	4.88	31.89	290.93	

08/26/2023	Surface (irrigation)	No precipitation	No precipitation	No precipitation

Source description	Material type	N (lbs/acre)	P (lbs/acre)	K (lbs/acre)	Salt (lbs/acre)	Amount
TID Ceres Main	Surface water	0.00	0.00	0.00	14.23	2,700,000.00 *gal*
Application event totals		0.00	0.00	0.00	14.23	

Field #2 - 11/09/2022: Oats, silage-soft dough

Field #2 - 11/09/2022: Oats, silage-soft dough

Field name: Field #2

Crop: Oats, silage-soft dough

Plant date: 11/09/2022

Application date	Application method	Precipitation 24 hours prior	Precipitation during application	Precipitation 24 hours following
10/14/2022	Surface (irrigation)	No precipitation	No precipitation	No precipitation

Source description	Material type	N (lbs/acre)	P (lbs/acre)	K (lbs/acre)	Salt (lbs/acre)	Amount
WWS	Process wastewater	54.31	9.36	84.05	600.16	960,000.00 *gal*
TID Ceres Main	Surface water	2.00	0.00	0.00	0.00	8,640,000.00 *gal*
Application event totals		56.32	9.36	84.05	600.16	

Application date	Application method	Precipitation 24 hours prior	Precipitation during application	Precipitation 24 hours following
04/05/2023	Surface (irrigation)	No precipitation	No precipitation	No precipitation

Source description	Material type	N (lbs/acre)	P (lbs/acre)	K (lbs/acre)	Salt (lbs/acre)	Amount
WWS	Process wastewater	94.45	7.41	79.25	850.68	840,000.00 *gal*
TID Ceres Main	Surface water	0.00	0.00	0.00	12.83	7,560,000.00 *gal*
Application event totals		94.45	7.41	79.25	863.51	

Field #2 - 05/26/2023: Corn, silage

Field name: Field #2

Crop: Corn, silage

Plant date: 05/26/2023

Application date	Application method	Precipitation 24 hours prior	Precipitation during application	Precipitation 24 hours following
05/15/2023	Surface (irrigation)	No precipitation	No precipitation	No precipitation

Source description	Material type	N (lbs/acre)	P (lbs/acre)	K (lbs/acre)	Salt (lbs/acre)	Amount
WWS	Process wastewater	128.19	10.06	107.55	1,154.50	1,140,000.00 *gal*
TID Ceres Main	Surface water	0.00	0.00	0.00	17.41	10,260,000.00 *gal*
Application event totals		128.19	10.06	107.55	1,171.91	

Application date	Application method	Precipitation 24 hours prior	Precipitation during application	Precipitation 24 hours following
06/27/2023	Surface (irrigation)	No precipitation	No precipitation	No precipitation

Source description	Material type	N (lbs/acre)	P (lbs/acre)	K (lbs/acre)	Salt (lbs/acre)	Amount
TID Ceres Main	Surface water	0.00	0.00	0.00	16.04	9,450,000.00 *gal*
Application event totals		0.00	0.00	0.00	16.04	

Field #2 - 05/26/2023: Corn, silage

Application date	Application method	Precipitation 24 hours prior	Precipitation during application	Precipitation 24 hours following
07/09/2023	Surface (irrigation)	No precipitation	No precipitation	No precipitation

Source description	Material type	N (lbs/acre)	P (lbs/acre)	K (lbs/acre)	Salt (lbs/acre)	Amount
WWS	Process wastewater	32.32	5.34	34.91	302.97	1,020,000.00 *gal*
TID Ceres Main	Surface water	0.00	0.00	0.00	15.58	9,180,000.00 *gal*
Application event totals		32.32	5.34	34.91	318.55	

Application date	Application method	Precipitation 24 hours prior	Precipitation during application	Precipitation 24 hours following
07/21/2023	Surface (irrigation)	No precipitation	No precipitation	No precipitation

Source description	Material type	N (lbs/acre)	P (lbs/acre)	K (lbs/acre)	Salt (lbs/acre)	Amount
WWS	Process wastewater	30.42	5.02	32.86	285.14	960,000.00 *gal*
TID Ceres Main	Surface water	0.00	0.00	0.00	14.66	8,640,000.00 *gal*
Application event totals		30.42	5.02	32.86	299.81	

Application date	Application method	Precipitation 24 hours prior	Precipitation during application	Precipitation 24 hours following
08/02/2023	Surface (irrigation)	No precipitation	No precipitation	No precipitation

Source description	Material type	N (lbs/acre)	P (lbs/acre)	K (lbs/acre)	Salt (lbs/acre)	Amount
WWS	Process wastewater	32.32	5.34	34.91	302.97	1,020,000.00 *gal*
TID Ceres Main	Surface water	0.00	0.00	0.00	15.58	9,180,000.00 *gal*
Application event totals		32.32	5.34	34.91	318.55	

Application date	Application method	Precipitation 24 hours prior	Precipitation during application	Precipitation 24 hours following
08/14/2023	Surface (irrigation)	No precipitation	No precipitation	No precipitation

Source description	Material type	N (lbs/acre)	P (lbs/acre)	K (lbs/acre)	Salt (lbs/acre)	Amount
WWS	Process wastewater	31.37	5.18	33.89	294.06	990,000.00 *gal*
TID Ceres Main	Surface water	0.00	0.00	0.00	15.12	8,910,000.00 *gal*
Application event totals		31.37	5.18	33.89	309.18	

Application date	Application method	Precipitation 24 hours prior	Precipitation during application	Precipitation 24 hours following
08/26/2023	Surface (irrigation)	No precipitation	No precipitation	No precipitation

Source description	Material type	N (lbs/acre)	P (lbs/acre)	K (lbs/acre)	Salt (lbs/acre)	Amount
TID Ceres Main	Surface water	0.00	0.00	0.00	14.66	8,640,000.00 *gal*
Application event totals		0.00	0.00	0.00	14.66	

Jackson - 02/02/2023: Almond, in shell

Jackson - 02/02/2023: Almond, in shell

Field name: Jackson

Crop: Almond, in shell

Plant date: 02/02/2023

Application date	Application method	Precipitation 24 hours prior	Precipitation during application	Precipitation 24 hours following
04/01/2023	Surface (irrigation)	No precipitation	No precipitation	No precipitation

Source description	Material type	N (lbs/acre)	P (lbs/acre)	K (lbs/acre)	Salt (lbs/acre)	Amount
TID Ceres Main	Surface water	0.00	0.00	0.00	9.73	3,984,629.00 *gal*
Application event totals		0.00	0.00	0.00	9.73	

Application date	Application method	Precipitation 24 hours prior	Precipitation during application	Precipitation 24 hours following
05/01/2023	Surface (irrigation)	No precipitation	No precipitation	No precipitation

Source description	Material type	N (lbs/acre)	P (lbs/acre)	K (lbs/acre)	Salt (lbs/acre)	Amount
TID Ceres Main	Surface water	0.00	0.00	0.00	19.46	7,969,258.00 *gal*
Application event totals		0.00	0.00	0.00	19.46	

Application date	Application method	Precipitation 24 hours prior	Precipitation during application	Precipitation 24 hours following
05/16/2023	Sidedress	No precipitation	No precipitation	No precipitation

Source description	Material type	N (lbs/acre)	P (lbs/acre)	K (lbs/acre)	Salt (lbs/acre)	Amount
UN32	Solid commercial fertilizer	16.00	0.00	0.00	0.00	
Application event totals		16.00	0.00	0.00	0.00	

Application date	Application method	Precipitation 24 hours prior	Precipitation during application	Precipitation 24 hours following
06/01/2023	Surface (irrigation)	No precipitation	No precipitation	No precipitation

Source description	Material type	N (lbs/acre)	P (lbs/acre)	K (lbs/acre)	Salt (lbs/acre)	Amount
TID Ceres Main	Surface water	0.00	0.00	0.00	19.46	7,969,258.00 *gal*
Application event totals		0.00	0.00	0.00	19.46	

Application date	Application method	Precipitation 24 hours prior	Precipitation during application	Precipitation 24 hours following
07/01/2023	Surface (irrigation)	No precipitation	No precipitation	No precipitation

Source description	Material type	N (lbs/acre)	P (lbs/acre)	K (lbs/acre)	Salt (lbs/acre)	Amount
TID Ceres Main	Surface water	0.00	0.00	0.00	19.46	7,969,258.00 *gal*
Application event totals		0.00	0.00	0.00	19.46	

Application date	Application method	Precipitation 24 hours prior	Precipitation during application	Precipitation 24 hours following
08/01/2023	Surface (irrigation)	No precipitation	No precipitation	No precipitation

Source description	Material type	N (lbs/acre)	P (lbs/acre)	K (lbs/acre)	Salt (lbs/acre)	Amount
TID Ceres Main	Surface water	0.00	0.00	0.00	19.46	7,969,258.00 *gal*
Application event totals		0.00	0.00	0.00	19.46	

Jackson - 02/02/2023: Almond, in shell

Application date	Application method	Precipitation 24 hours prior	Precipitation during application	Precipitation 24 hours following
09/01/2023	Surface (irrigation)	No precipitation	No precipitation	No precipitation

Source description	Material type	N (lbs/acre)	P (lbs/acre)	K (lbs/acre)	Salt (lbs/acre)	Amount
TID Ceres Main	Surface water	0.00	0.00	0.00	19.46	7,969,258.00 *gal*
Application event totals		0.00	0.00	0.00	19.46	

B. NUTRIENT BUDGET

Barber - 02/02/2001: Almond, in shell

Field name: Barber | Crop: Almond, in shell | Plant date: 02/02/2001

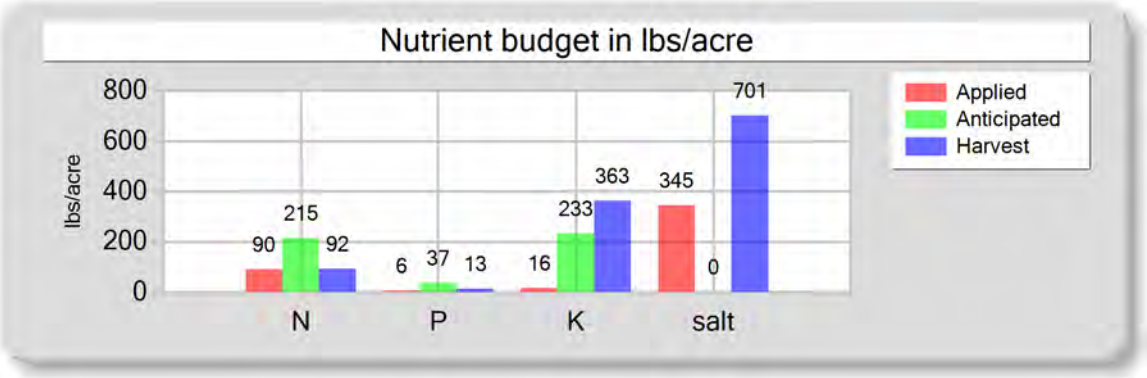

	Total N (lbs/acre)	Total P (lbs/acre)	Total K (lbs/acre)	Total salt (lbs/acre)
Existing soil nutrient content	0.00	0.00	0.00	0.00
Plowdown credit	0.00	0.00	0.00	0.00
Commercial fertilizer / Other	32.00	0.00	0.00	0.00
Dry manure	42.93	5.59	15.78	238.32
Process wastewater	0.00	0.00	0.00	0.00
Fresh water	1.33	0.00	0.00	106.94
Atmospheric deposition	14.00	0.00	0.00	0.00
Total nutrients applied	90.26	5.59	15.78	345.25
Anticipated crop nutrient removal	215.00	36.50	232.50	0.00
Actual crop nutrient removal	92.29	12.78	363.03	701.23
Nutrient balance	-2.03	-7.20	-347.24	-355.98
Applied to removed ratio	0.98	0.44	0.04	0.49

Fresh water applied	
80,380,956.00	*gallons*
2,960.16	*acre-inches*
42.90	*inches/acre*

Process wastewater applied	
0.00	*gallons*
0.00	*acre-inches*
0.00	*inches/acre*

Total harvests for the crop	
1	*harvests*

Bettencourt - 02/02/2023: Almond, in shell

Field name: Bettencourt Crop: Almond, in shell Plant date: 02/02/2023

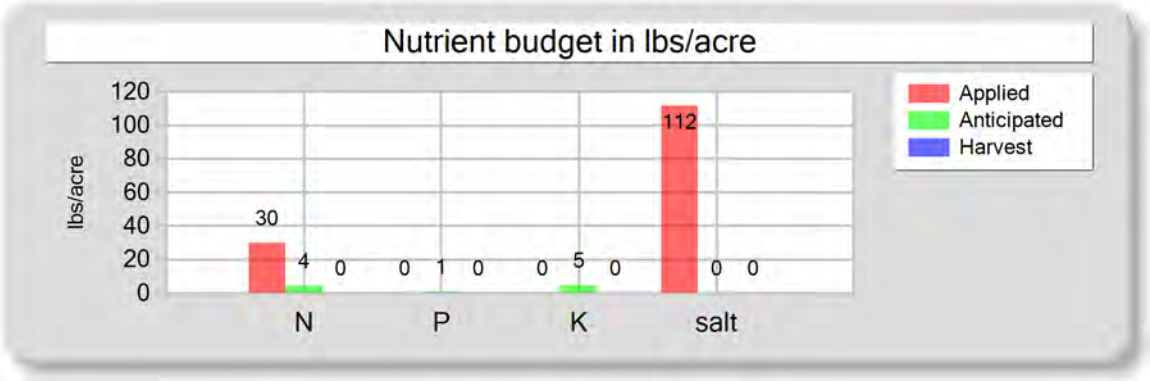

	Total N (lbs/acre)	Total P (lbs/acre)	Total K (lbs/acre)	Total salt (lbs/acre)
Existing soil nutrient content	0.00	0.00	0.00	0.00
Plowdown credit	0.00	0.00	0.00	0.00
Commercial fertilizer / Other	16.00	0.00	0.00	0.00
Dry manure	0.00	0.00	0.00	0.00
Process wastewater	0.00	0.00	0.00	0.00
Fresh water	0.00	0.00	0.00	111.88
Atmospheric deposition	14.00	0.00	0.00	0.00
Total nutrients applied	30.00	0.00	0.00	111.88
Anticipated crop nutrient removal	4.30	0.73	4.65	0.00
Actual crop nutrient removal	0.00	0.00	0.00	0.00
Nutrient balance	30.00	0.00	0.00	111.88
Applied to removed ratio	0.00	0.00	0.00	0.00

Fresh water applied	
40,218,871.00	*gallons*
1,481.12	*acre-inches*
41.14	*inches/acre*

Process wastewater applied	
0.00	*gallons*
0.00	*acre-inches*
0.00	*inches/acre*

Total harvests for the crop	
1	*harvests*

Canal Roberts Road - 02/15/2023: Almond, in shell

Field name: Canal Roberts Road Crop: Almond, in shell Plant date: 02/15/2023

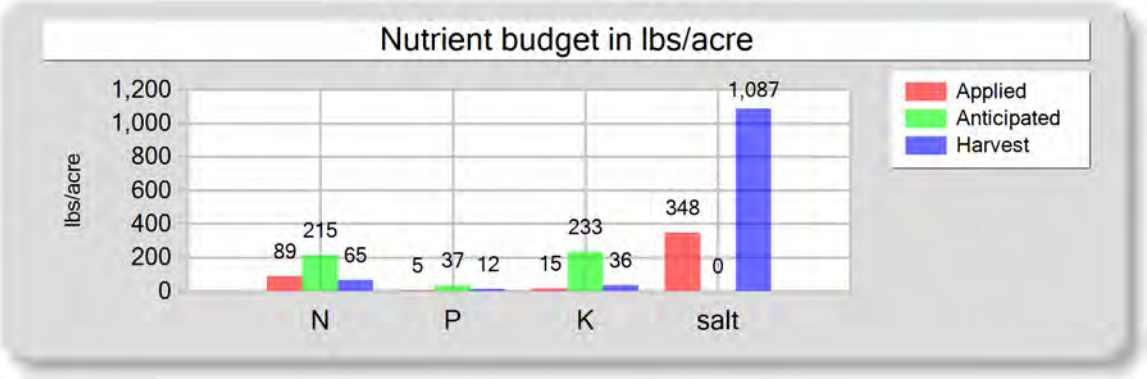

	Total N (lbs/acre)	Total P (lbs/acre)	Total K (lbs/acre)	Total salt (lbs/acre)
Existing soil nutrient content	0.00	0.00	0.00	0.00
Plowdown credit	0.00	0.00	0.00	0.00
Commercial fertilizer / Other	32.00	0.00	0.00	0.00
Dry manure	41.57	5.41	15.28	230.79
Process wastewater	0.00	0.00	0.00	0.00
Fresh water	1.45	0.00	0.00	117.03
Atmospheric deposition	14.00	0.00	0.00	0.00
Total nutrients applied	89.03	5.41	15.28	347.82
Anticipated crop nutrient removal	215.00	36.50	232.50	0.00
Actual crop nutrient removal	64.84	12.17	35.52	1,087.49
Nutrient balance	24.19	-6.76	-20.24	-739.67
Applied to removed ratio	1.37	0.44	0.43	0.32

Fresh water applied	
24,222,792.00	*gallons*
892.04	*acre-inches*
46.95	*inches/acre*

Process wastewater applied	
0.00	*gallons*
0.00	*acre-inches*
0.00	*inches/acre*

Total harvests for the crop	
1	*harvests*

Field #1 - 11/09/2022: Oats, silage-soft dough

Field name: Field #1 Crop: Oats, silage-soft dough Plant date: 11/09/2022

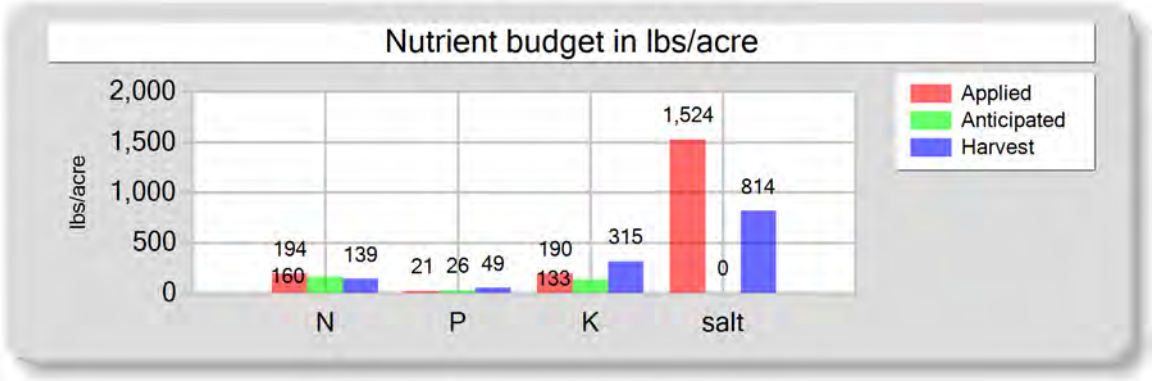

	Total N (lbs/acre)	Total P (lbs/acre)	Total K (lbs/acre)	Total salt (lbs/acre)
Existing soil nutrient content	0.00	0.00	0.00	0.00
Plowdown credit	0.00	0.00	0.00	0.00
Commercial fertilizer / Other	0.00	0.00	0.00	0.00
Dry manure	0.00	0.00	0.00	0.00
Process wastewater	182.36	20.85	190.37	1,468.37
Fresh water	5.12	0.00	0.00	55.66
Atmospheric deposition	7.00	0.00	0.00	0.00
Total nutrients applied	194.48	20.85	190.37	1,524.03
Anticipated crop nutrient removal	160.00	25.60	132.80	0.00
Actual crop nutrient removal	138.62	48.81	314.87	814.19
Nutrient balance	55.86	-27.96	-124.50	709.84
Applied to removed ratio	1.40	0.43	0.60	1.87

Fresh water applied	
4,500,000.00	*gallons*
165.72	*acre-inches*
8.72	*inches/acre*

Process wastewater applied	
600,000.00	*gallons*
22.10	*acre-inches*
1.16	*inches/acre*

Total harvests for the crop	
1	*harvests*

Field #1 - 05/26/2023: Corn, silage

Field name: Field #1 Crop: Corn, silage Plant date: 05/26/2023

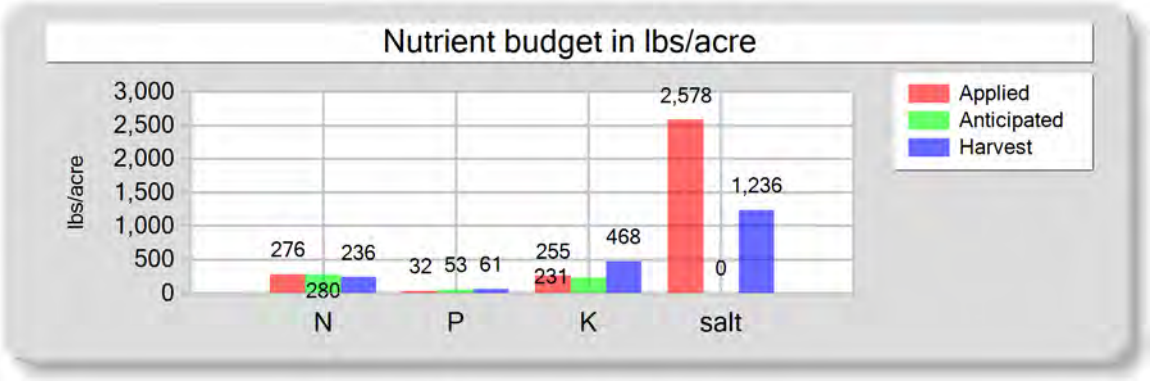

	Total N (lbs/acre)	Total P (lbs/acre)	Total K (lbs/acre)	Total salt (lbs/acre)
Existing soil nutrient content	0.00	0.00	0.00	0.00
Plowdown credit	0.00	0.00	0.00	0.00
Commercial fertilizer / Other	0.00	0.00	0.00	0.00
Dry manure	0.00	0.00	0.00	0.00
Process wastewater	269.14	31.74	255.37	2,469.11
Fresh water	0.00	0.00	0.00	108.86
Atmospheric deposition	7.00	0.00	0.00	0.00
Total nutrients applied	276.14	31.74	255.37	2,577.97
Anticipated crop nutrient removal	280.00	52.50	231.00	0.00
Actual crop nutrient removal	236.27	60.50	468.08	1,235.54
Nutrient balance	39.87	-28.76	-212.71	1,342.44
Applied to removed ratio	1.17	0.52	0.55	2.09

Fresh water applied	
20,655,000.00	*gallons*
760.65	*acre-inches*
40.03	*inches/acre*

Process wastewater applied	
1,665,000.00	*gallons*
61.32	*acre-inches*
3.23	*inches/acre*

Total harvests for the crop	
1	*harvests*

Field #2 - 11/09/2022: Oats, silage-soft dough

Field name: Field #2 Crop: Oats, silage-soft dough Plant date: 11/09/2022

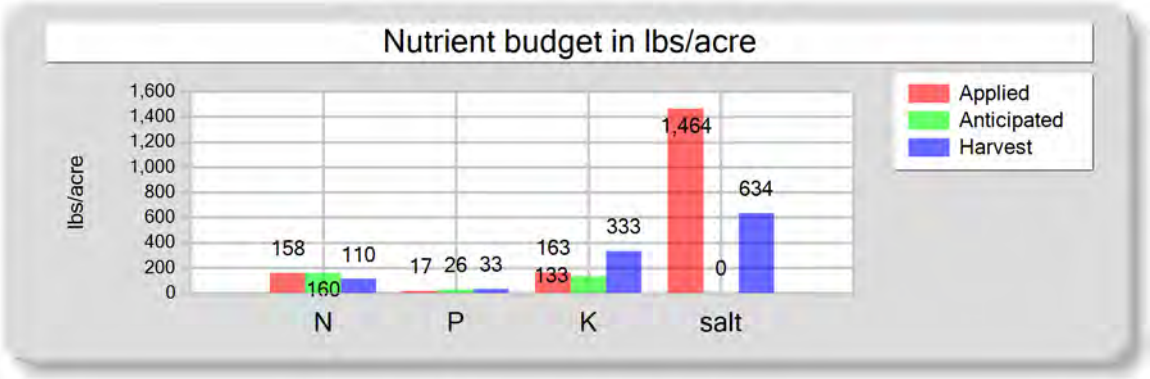

	Total N (lbs/acre)	Total P (lbs/acre)	Total K (lbs/acre)	Total salt (lbs/acre)
Existing soil nutrient content	0.00	0.00	0.00	0.00
Plowdown credit	0.00	0.00	0.00	0.00
Commercial fertilizer / Other	0.00	0.00	0.00	0.00
Dry manure	0.00	0.00	0.00	0.00
Process wastewater	148.77	16.77	163.30	1,450.84
Fresh water	2.00	0.00	0.00	12.83
Atmospheric deposition	7.00	0.00	0.00	0.00
Total nutrients applied	157.77	16.77	163.30	1,463.67
Anticipated crop nutrient removal	160.00	25.60	132.80	0.00
Actual crop nutrient removal	110.02	33.12	332.71	633.60
Nutrient balance	47.76	-16.35	-169.42	830.07
Applied to removed ratio	1.43	0.51	0.49	2.31

Fresh water applied	
16,200,000.00	*gallons*
596.59	*acre-inches*
10.11	*inches/acre*

Process wastewater applied	
1,800,000.00	*gallons*
66.29	*acre-inches*
1.12	*inches/acre*

Total harvests for the crop	
1	*harvests*

Field #2 - 05/26/2023: Corn, silage

Field name: Field #2 Crop: Corn, silage Plant date: 05/26/2023

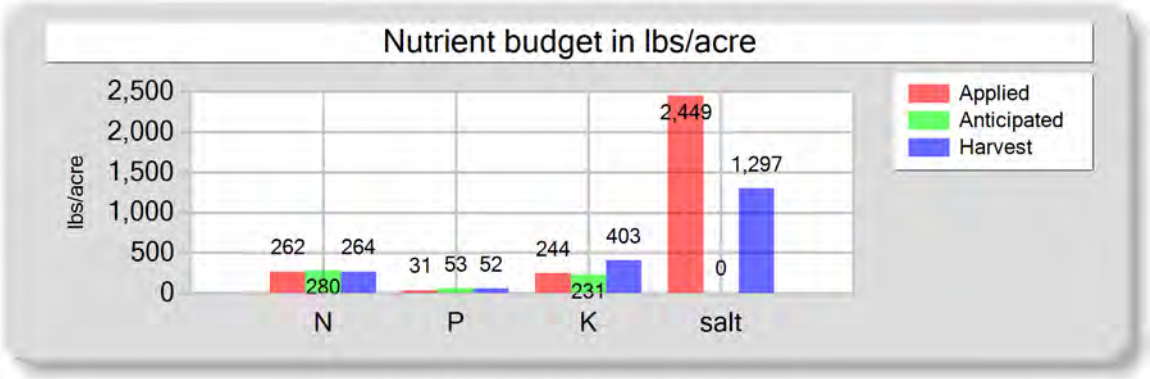

	Total N (lbs/acre)	Total P (lbs/acre)	Total K (lbs/acre)	Total salt (lbs/acre)
Existing soil nutrient content	0.00	0.00	0.00	0.00
Plowdown credit	0.00	0.00	0.00	0.00
Commercial fertilizer / Other	0.00	0.00	0.00	0.00
Dry manure	0.00	0.00	0.00	0.00
Process wastewater	254.60	30.94	244.12	2,339.63
Fresh water	0.00	0.00	0.00	109.07
Atmospheric deposition	7.00	0.00	0.00	0.00
Total nutrients applied	261.60	30.94	244.12	2,448.69
Anticipated crop nutrient removal	280.00	52.50	231.00	0.00
Actual crop nutrient removal	264.23	52.36	403.03	1,296.77
Nutrient balance	-2.62	-21.42	-158.91	1,151.92
Applied to removed ratio	0.99	0.59	0.61	1.89

Fresh water applied	
64,260,000.00	*gallons*
2,366.48	*acre-inches*
40.11	*inches/acre*

Process wastewater applied	
5,130,000.00	*gallons*
188.92	*acre-inches*
3.20	*inches/acre*

Total harvests for the crop	
1	*harvests*

Jackson - 02/02/2023: Almond, in shell

Field name: Jackson | Crop: Almond, in shell | Plant date: 02/02/2023

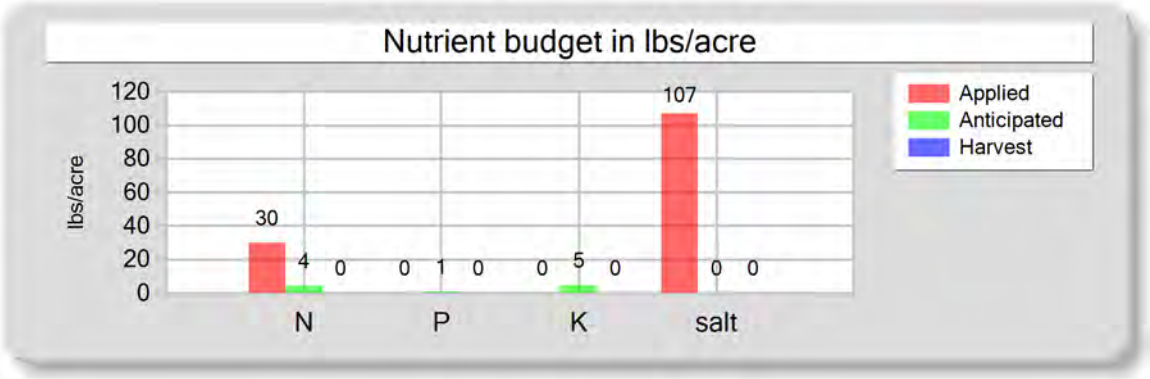

	Total N (lbs/acre)	Total P (lbs/acre)	Total K (lbs/acre)	Total salt (lbs/acre)
Existing soil nutrient content	0.00	0.00	0.00	0.00
Plowdown credit	0.00	0.00	0.00	0.00
Commercial fertilizer / Other	16.00	0.00	0.00	0.00
Dry manure	0.00	0.00	0.00	0.00
Process wastewater	0.00	0.00	0.00	0.00
Fresh water	0.00	0.00	0.00	107.05
Atmospheric deposition	14.00	0.00	0.00	0.00
Total nutrients applied	30.00	0.00	0.00	107.05
Anticipated crop nutrient removal	4.30	0.73	4.65	0.00
Actual crop nutrient removal	0.00	0.00	0.00	0.00
Nutrient balance	30.00	0.00	0.00	107.05
Applied to removed ratio	0.00	0.00	0.00	0.00

Fresh water applied	
43,830,919.00	*gallons*
1,614.14	*acre-inches*
39.37	*inches/acre*

Process wastewater applied	
0.00	*gallons*
0.00	*acre-inches*
0.00	*inches/acre*

Total harvests for the crop	
1	*harvests*

NUTRIENT ANALYSES

A. MANURE ANALYSES

Separator Solids

Sample and source description: Separator Solids

Sample date: 10/28/2022 Material type: Separator solids Source of analysis: Lab analysis Method of reporting: Dry-weight

Moisture: 63.7 %

	Total N (mg/kg)	Total P (mg/kg)	Total K (mg/kg)	Calcium (mg/kg)	Magnesium (mg/kg)	Sodium (mg/kg)	Sulfur (mg/kg)	Chloride (mg/kg)	Total salt (mg/kg)	TFS (%)
Value	27,200.00	3,540.00	10,000.00							15.10
DL	100.00	100.00	100.00							0.01

Separator Solids

Sample and source description: Separator Solids

Sample date: 04/28/2023 Material type: Separator solids Source of analysis: Lab analysis Method of reporting: Dry-weight

Moisture: 76.5 %

	Total N (mg/kg)	Total P (mg/kg)	Total K (mg/kg)	Calcium (mg/kg)	Magnesium (mg/kg)	Sodium (mg/kg)	Sulfur (mg/kg)	Chloride (mg/kg)	Total salt (mg/kg)	TFS (%)
Value	20,400.00	3,010.00	6,960.00							12.50
DL	100.00	100.00	100.00							0.01

Compost

Sample and source description: Compost

Sample date: 10/27/2023 Material type: Compost Source of analysis: Lab analysis Method of reporting: Dry-weight

Moisture: 15.6 %

	Total N (mg/kg)	Total P (mg/kg)	Total K (mg/kg)	Calcium (mg/kg)	Magnesium (mg/kg)	Sodium (mg/kg)	Sulfur (mg/kg)	Chloride (mg/kg)	Total salt (mg/kg)	TFS (%)
Value	25,700.00	2,340.00	8,020.00							21.30
DL	100.00	100.00	100.00							0.01

Separator Solids

Sample and source description: Separator Solids

Sample date: 10/27/2023 Material type: Separator solids Source of analysis: Lab analysis Method of reporting: Dry-weight

Moisture: 64.4 %

	Total N (mg/kg)	Total P (mg/kg)	Total K (mg/kg)	Calcium (mg/kg)	Magnesium (mg/kg)	Sodium (mg/kg)	Sulfur (mg/kg)	Chloride (mg/kg)	Total salt (mg/kg)	TFS (%)
Value	18,600.00	2,390.00	6,550.00							11.60
DL	100.00	100.00	100.00							0.01

B. PROCESS WASTEWATER ANALYSES

WWQ4

Sample and source description: WWQ4

Sample date: 10/21/2022 Material type: Process wastewater Source of analysis: Lab analysis pH:

	Kjeldahl-N (mg/L)	NH4-N (mg/L)	NH3-N (mg/L)	Nitrate-N (mg/L)	Total P (mg/L)	Total K (mg/L)	Calcium (mg/L)	Magnes. (mg/L)	Sodium (mg/L)	Bicarb. (mg/L)	Carb. (mg/L)	Sulfate (mg/L)	Chloride (mg/L)	EC (µmhos/cm)	TDS (mg/L)
Value	400.00	241.00	0.00	0.00	68.90	619.00								5,670.00	4,420
DL	0.50	0.50	0.50	0.50	0.50	0.50								1.00	10

WWQ1

Sample and source description: WWQ1

Sample date: 02/10/2023 Material type: Process wastewater Source of analysis: Lab analysis pH: 0.00

	Kjeldahl-N (mg/L)	NH4-N (mg/L)	NH3-N (mg/L)	Nitrate-N (mg/L)	Total P (mg/L)	Total K (mg/L)	Calcium (mg/L)	Magnes. (mg/L)	Sodium (mg/L)	Bicarb. (mg/L)	Carb. (mg/L)	Sulfate (mg/L)	Chloride (mg/L)	EC (µmhos/cm)	TDS (mg/L)
Value	1,070.00	400.00	0.00	0.00	133.00	1,040.00								7,630.00	4,700
DL	0.50	0.50	0.50	0.50	0.50	0.50								1.00	10

WWQ4

Sample and source description: WWQ4

Sample date: 06/02/2023 Material type: Process wastewater Source of analysis: Lab analysis pH: 0.00

	Kjeldahl-N (mg/L)	NH4-N (mg/L)	NH3-N (mg/L)	Nitrate-N (mg/L)	Total P (mg/L)	Total K (mg/L)	Calcium (mg/L)	Magnes. (mg/L)	Sodium (mg/L)	Bicarb. (mg/L)	Carb. (mg/L)	Sulfate (mg/L)	Chloride (mg/L)	EC (µmhos/cm)	TDS (mg/L)
Value	795.00	286.00	0.00	0.00	62.40	667.00	175.00	124.00	248.00	3,100.00	0.00	170.00	265.00	5,740.00	7,160
DL	0.50	0.50	0.50	0.50	0.50	0.50	0.50	0.50	0.50	0.50	2.00	1.00	0.10	1.00	10

WWQ3

Sample and source description: WWQ3

Sample date: 07/27/2023 Material type: Process wastewater Source of analysis: Lab analysis pH: 0.00

	Kjeldahl-N (mg/L)	NH4-N (mg/L)	NH3-N (mg/L)	Nitrate-N (mg/L)	Total P (mg/L)	Total K (mg/L)	Calcium (mg/L)	Magnes. (mg/L)	Sodium (mg/L)	Bicarb. (mg/L)	Carb. (mg/L)	Sulfate (mg/L)	Chloride (mg/L)	EC (µmhos/cm)	TDS (mg/L)
Value	224.00	86.80	0.00	0.00	37.00	242.00								2,740.00	2,100
DL	0.50	0.50	0.50	0.50	0.50	0.50								1.00	10

WWQ4

Sample and source description: WWQ4

Sample date: 10/31/2023 Material type: Process wastewater Source of analysis: Lab analysis pH: 0.00

	Kjeldahl-N (mg/L)	NH4-N (mg/L)	NH3-N (mg/L)	Nitrate-N (mg/L)	Total P (mg/L)	Total K (mg/L)	Calcium (mg/L)	Magnes. (mg/L)	Sodium (mg/L)	Bicarb. (mg/L)	Carb. (mg/L)	Sulfate (mg/L)	Chloride (mg/L)	EC (µmhos/cm)	TDS (mg/L)
Value	274.00	171.00	0.00	0.00	48.80	361.00								3,560.00	3,280
DL	0.50	0.50	0.50	0.50	0.50	0.50								1.00	10

C. FRESH WATER ANALYSES

IW Canal

IW Canal

IW Canal

Sample description: IW Canal

Sample date: 12/28/2023 Source of analysis: Lab analysis

	Total N (mg/L)	NH4-N (mg/L)	Nitrate-N (mg/L)	Calcium (mg/L)	Magnesium (mg/L)	Sodium (mg/L)	Bicarbonate (mg/L)	Carbonate (mg/L)	Sulfate (mg/L)	Chloride (mg/L)	EC (µmhos/cm)	TDS (mg/L)
Value	45.50	0.00	45.20								990.00	570
DL	0.50	0.50	0.50								1.00	10

IW Shop

IW Shop

Sample description: IW Shop

Sample date: 12/28/2023 Source of analysis: Lab analysis

	Total N (mg/L)	NH4-N (mg/L)	Nitrate-N (mg/L)	Calcium (mg/L)	Magnesium (mg/L)	Sodium (mg/L)	Bicarbonate (mg/L)	Carbonate (mg/L)	Sulfate (mg/L)	Chloride (mg/L)	EC (µmhos/cm)	TDS (mg/L)
Value	45.10	0.00	45.10								994.00	560
DL	0.50	0.50	0.50								1.00	10

TID Ceres Main

TID Ceres Main

Sample description: TID Ceres Main

Sample date: 07/22/2022 Source of analysis: Lab analysis

	Total N (mg/L)	NH4-N (mg/L)	Nitrate-N (mg/L)	Calcium (mg/L)	Magnesium (mg/L)	Sodium (mg/L)	Bicarbonate (mg/L)	Carbonate (mg/L)	Sulfate (mg/L)	Chloride (mg/L)	EC (µmhos/cm)	TDS (mg/L)
Value	1.64	0.00	0.00								0.00	0
DL	0.50	0.50	0.50								1.00	10

TID Ceres Main

TID Ceres Main

Sample description: TID Ceres Main

Sample date: 07/25/2023 Source of analysis: Lab analysis

	Total N (mg/L)	NH4-N (mg/L)	Nitrate-N (mg/L)	Calcium (mg/L)	Magnesium (mg/L)	Sodium (mg/L)	Bicarbonate (mg/L)	Carbonate (mg/L)	Sulfate (mg/L)	Chloride (mg/L)	EC (µmhos/cm)	TDS (mg/L)
Value	0.00	0.00	0.00								30.30	12
DL	1.00	0.50	0.50								10.00	10

D. SOIL ANALYSES

No soil analyses entered.

E. PLANT TISSUE ANALYSES

Barber - 02/02/2001: Almond, in shell

Almonds

Sample and source description: Almonds

Sample date: 09/22/2023 Source of analysis: Lab analysis Method of reporting: As-is

Moisture: 18.0 %

	Total N (mg/kg)	Total P (mg/kg)	Total K (mg/kg)	Total salt (mg/kg)	TFS (%)
Value	7,220.00	1,000.00	28,400.00		6.69
DL	100.00	100.00	100.00		0.01

Canal Roberts Road - 02/15/2023: Almond, in shell

Canal Roberts Road - 02/15/2023: Almond, in shell

Almonds

Sample and source description: Almonds

Sample date: 09/22/2023 Source of analysis: Lab analysis Method of reporting: As-is

Moisture: 23.2 %

	Total N (mg/kg)	Total P (mg/kg)	Total K (mg/kg)	Total salt (mg/kg)	TFS (%)
Value	5,220.00	980.00	2,860.00		11.40
DL	100.00	100.00	100.00		0.01

Field #1 - 11/09/2022: Oats, silage-soft dough

Forage

Sample and source description: Forage

Sample date: 05/09/2023 Source of analysis: Lab analysis Method of reporting: As-is

Moisture: 61.6 %

	Total N (mg/kg)	Total P (mg/kg)	Total K (mg/kg)	Total salt (mg/kg)	TFS (%)
Value	3,720.00	1,310.00	8,450.00		5.69
DL	100.00	100.00	100.00		0.01

Field #1 - 05/26/2023: Corn, silage

Corn Silage

Sample and source description: Corn Silage

Sample date: 10/05/2023 Source of analysis: Lab analysis Method of reporting: As-is

Moisture: 71.0 %

	Total N (mg/kg)	Total P (mg/kg)	Total K (mg/kg)	Total salt (mg/kg)	TFS (%)
Value	3,710.00	950.00	7,350.00		6.69
DL	100.00	100.00	100.00		0.01

Field #2 - 11/09/2022: Oats, silage-soft dough

Forage

Sample and source description: Forage

Sample date: 05/09/2023 Source of analysis: Lab analysis Method of reporting: As-is

Moisture: 62.0 %

	Total N (mg/kg)	Total P (mg/kg)	Total K (mg/kg)	Total salt (mg/kg)	TFS (%)
Value	2,890.00	870.00	8,740.00		4.38
DL	100.00	100.00	100.00		0.01

Field #2 - 05/26/2023: Corn, silage

Corn Silage

Sample and source description: Corn Silage

Sample date: 10/05/2023 Source of analysis: Lab analysis Method of reporting: As-is

Moisture: 70.0 %

	Total N (mg/kg)	Total P (mg/kg)	Total K (mg/kg)	Total salt (mg/kg)	TFS (%)
Value	4,340.00	860.00	6,620.00		7.10
DL	100.00	100.00	100.00		0.01

F. SUBSURFACE (TILE) DRAINAGE ANALYSES

No subsurface (tile) drainage analyses entered.

NUTRIENT APPLICATIONS, POTENTIAL REMOVAL, AND BALANCE

A. SUMMARY OF NUTRIENT APPLICATIONS, POTENTIAL REMOVAL, AND BALANCE

	Total N (lbs)	Total P (lbs)	Total K (lbs)	Total salt (lbs)
Existing soil nutrient content	0.00	0.00	0.00	0.00
Plowdown credit	0.00	0.00	0.00	0.00
Commercial fertilizer / Other	4,048.00	0.00	0.00	0.00
Dry manure	3,751.97	488.31	1,379.40	20,828.94
Process wastewater	32,377.26	3,814.26	32,506.70	298,449.75
Fresh water	334.85	0.00	0.00	28,336.77
Atmospheric deposition	3,402.00	0.00	0.00	0.00
Total nutrients applied	43,914.08	4,302.57	33,886.10	347,615.46
Anticipated crop nutrient removal	53,571.10	9,360.01	49,194.45	0.00
Actual crop nutrient removal	36,803.04	8,233.40	84,008.94	221,883.78
Nutrient balance	7,111.04	-3,930.83	-50,122.84	125,731.68
Applied to removed ratio	1.19	0.52	0.40	1.57

B. POUNDS OF NUTRIENT APPLIED VS. CROP REMOVAL

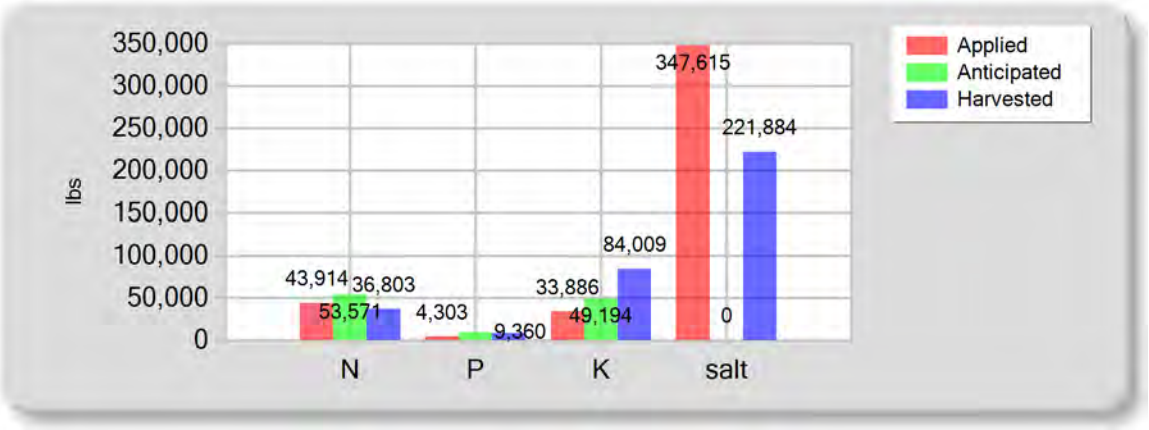

C. POUNDS OF NUTRIENT APPLIED BY MATERIAL TYPE

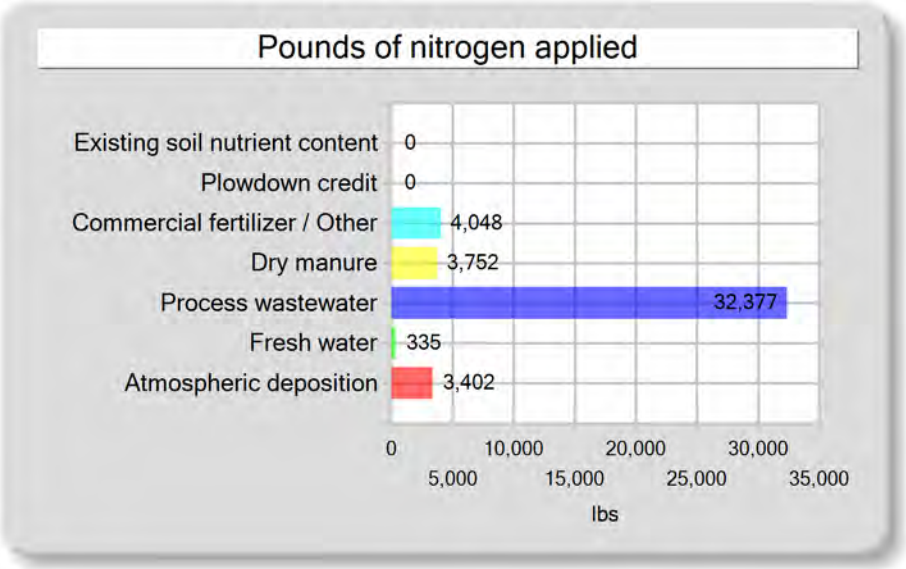

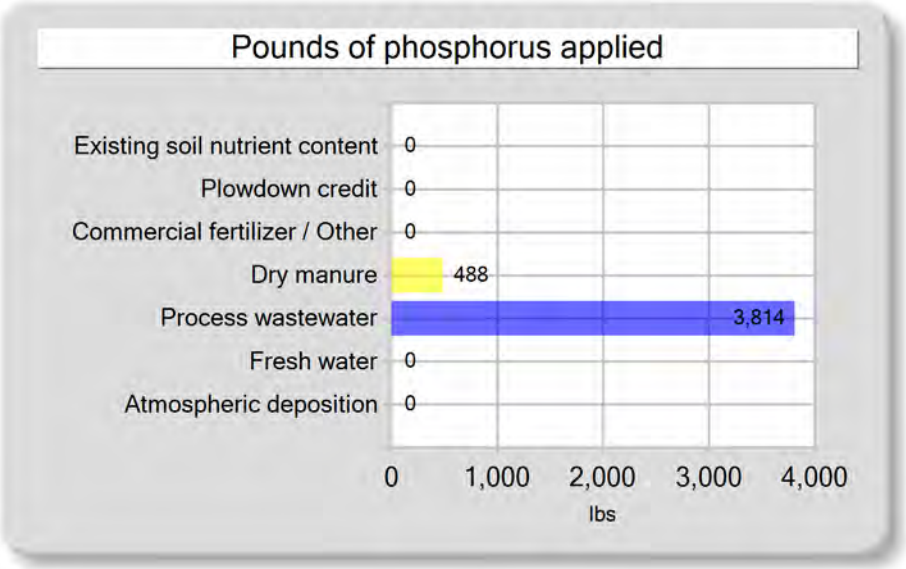

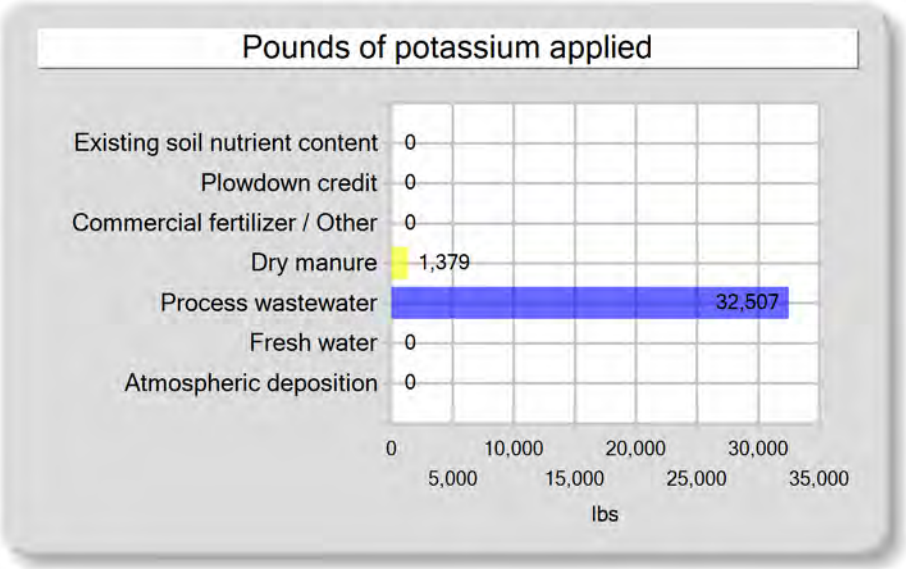

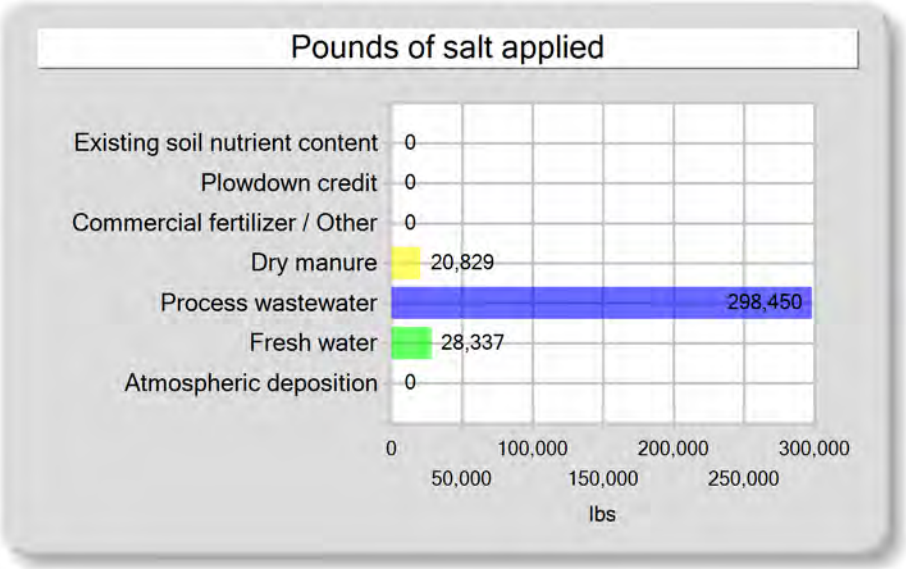

EXCEPTION REPORTING

A. MANURE, PROCESS WASTEWATER, AND OTHER DAIRY WASTE DISCHARGES

The following is a summary of all manure and process wastewater discharges from the production area to surface water or to land areas (land application areas or otherwise) when not in accordance with the facility's Nutrient Management Plan.

No manure or process wastewater discharges occurred during the reporting period.

B. STORM WATER DISCHARGES

The following is a summary of all storm water discharges from the production area to surface water during the reporting period when not in accordance with the facility 's Nutrient Management Plan.

No stormwater discharges occurred during the reporting period.

C. LAND APPLICATION AREA TO SURFACE WATER DISCHARGES

The following is a summary of all discharges from the land application area to surface water that have occurred during the reporting period when not in accordance with the facility's Nutrient Management Plan.

No land application area to surface water discharges occurred during the reporting period.

NUTRIENT MANAGEMENT PLAN AND EXPORT AGREEMENT STATEMENTS

A. NUTRIENT MANAGEMENT PLAN STATEMENTS

Was the facility's NMP updated in the reporting period?	No
Was the facility's NMP developed by a certified nutrient management planner (specialist) as specified in Attachment C of the General Order?	Yes
Was the facility's NMP approved by a certified nutrient management planner (specialist) as specified in Attachment C of the General Order?	Yes

B. EXPORT AGREEMENT STATEMENT

Are there any written agreements with third parties to receive manure or process wastewater that are new or were revised within the reporting period?	No

ADDITIONAL NOTES

A. NOTES

No notes entered for this annual report.

CERTIFICATION

A. OWNER AND/OR OPERATOR CERTIFICATION

I certify under penalty of law that I have personally examined and am familiar with the information submitted in this document and all attachments and that, based on my inquiry of those individuals immediately responsible for obtaining the information, I believe that the information is true, accurate, and complete. I am aware that there are significant penalties for submitting false information, including the possibility of fine and imprisonment.

Dominic Assali (Jun 7, 2024 16:56 PDT)

SIGNATURE OF OWNER OF FACILITY	SIGNATURE OF OPERATOR OF FACILITY
Dominic Assali	SAME AS OWNER
PRINT OR TYPE NAME	PRINT OR TYPE NAME
Jun 7, 2024	
DATE	DATE

ATTACHMENTS

A. REQUIRED ATTACHMENTS

The following lists the required documents that should be attached to the Annual Report when submitted .

Annual Dairy Facility Assessment
Provide an Annual Dairy Facility Assessment (an update to the Preliminary Dairy Facility Assessment in Attachment A) for each reporting period. On the PDFA Final page, click on the ADFA Report button to generate an ADFA report after updating information as needed .

Manure/Process Wastewater Tracking Manifests
Provide copies of all manure/process wastewater tracking manifests for the reporting period, signed by both the owner/operator and the hauler.

Corrective Actions Documents
Provide records documenting any corrective actions taken to correct deficiencies noted as a result of the inspections required in the Monitoring Requirements of the General Order. Deficiencies not corrected in 30 days must be accompanied by an explanation of the factors preventing immediate correction.

Groundwater Monitoring
Dischargers that monitor supply wells or subsurface (tile) drainage systems, or that have monitoring well systems must submit monitoring results as directed in the General Order, Groundwater Reporting Section starting on page MRP-13.

Storm Water Monitoring
Dischargers that are required to monitor storm water more frequently than required in the General Order must submit monitoring results as directed in the General Order, Storm Water Reporting Section on page MRP-14.

Manure / Process Wastewater Tracking Manifest
For
Existing Milk Cow Dairies

General Order No. R5-2007-0035, Attachment D

INSTRUCTIONS

1) Complete one manifest for each hauling event, for each destination. A hauling event may last for several days, as long as the manure is being hauled to the same destination.
2) If there are multiple destinations, complete a separate form for each destination.
3) The operator must obtain the signature of the hauler upon completion of each manure/process wastewater hauling event.
4) The operator shall submit copies of manure/process wastewater tracking manifest(s) with the Annual Monitoring Report for Existing Milk Cow Dairies.

OPERATOR INFORMATION

Name of Operator: Dominic Assali

Name of Dairy Facility: Double D Dairy #2

Facility Address:

3636 E Monte Vista AVE	Ceres	Stanislaus	95307
Number and Street	City	County	Zip Code

Contact Person Name and Phone Number: Dominic Assali (209) 542-0281
Name Phone Number

PROCESS WASTEWATER HAULER INFORMATION

Name of Hauling Company/Person: Pipeline

Address of Hauling Company/Person:

3636 E Monte Vista AVE	Ceres	CA	95307
Number and Street	City	State	Zip Code

Contact Person: Dominic Assali (209) 542-0281
Name Phone Number

DESTINATION INFORMATION

Composting Facility / Broker / Farmer / Other (identify): Farmer

Contact information of Composting Facility, Broker, Farmer, or Other (as identified above):

Johal Dairy (209) 634-7817
Name Phone Number

6354 W Zeering RD	Turlock	CA	95380
Address	City	State	Zip Code

Destination Address or Assessor's Parcel Number:

Address	City	Zip Code

Street and nearest cross street (if no address) County

x022-x016-x013-xxxx Stanislaus
Assessor's Parcel Number Assessor's Parcel Number County

Last date hauled: 03/05/2023

Manure / Process Wastewater Tracking Manifest
For
Existing Milk Cow Dairies

General Order No. R5-2007-0035, Attachment D

PROCESS WASTEWATER AMOUNT HAULED

Enter the amount of process wastewater hauled in gallons and the method used to determine the amount:

Process Wastewater: 240,000 gallons

Method used to determine volume of process wastewater:

Pump GPM x Run Time

WRITTEN AGREEMENT

Does the Operator have a written agreement (in compliance with Land Application Specification C.2 of Waste Discharge Requirements General Order No. R5-2007-0035) with any party that receives process wastewater from the Operator for its own use?

[X] YES [ ] NO

If the answer is no, the Operator agrees to have such a written agreement with any such party for any process wastewater transferred after 31 December 2007 to such party.

_____ (Operator shall provide initials here to acknowledge this requirement)

CERTIFICATION

I declare under penalty of law that I personally examined and am familiar with the information submitted in this document, and that based on my inquiry of those individuals immediately responsible for obtaining the information, I believe that the information is true , accurate, and complete. I am aware that there are significant penalties for submitting false information, including the possibility of a fine and imprisonment for knowing violations.

Dominic Assali (Jun 7, 2024 16:56 PDT) — Jun 7, 2024

Operator Signature — Date

Dominic Assali (Jun 7, 2024 16:56 PDT) — Jun 7, 2024

Hauler Signature — Date

Manure / Process Wastewater Tracking Manifest
For
Existing Milk Cow Dairies

General Order No. R5-2007-0035, Attachment D

INSTRUCTIONS

1) Complete one manifest for each hauling event, for each destination. A hauling event may last for several days, as long as the manure is being hauled to the same destination.
2) If there are multiple destinations, complete a separate form for each destination.
3) The operator must obtain the signature of the hauler upon completion of each manure/process wastewater hauling event.
4) The operator shall submit copies of manure/process wastewater tracking manifest(s) with the Annual Monitoring Report for Existing Milk Cow Dairies.

OPERATOR INFORMATION

Name of Operator: Dominic Assali

Name of Dairy Facility: Double D Dairy #2

Facility Address:

3636 E Monte Vista AVE	Ceres	Stanislaus	95307
Number and Street	City	County	Zip Code

Contact Person Name and Phone Number: Dominic Assali (209) 542-0281
Name Phone Number

PROCESS WASTEWATER HAULER INFORMATION

Name of Hauling Company/Person: Pipeline

Address of Hauling Company/Person:

3636 E Monte Vista AVE	Ceres	CA	95307
Number and Street	City	State	Zip Code

Contact Person: Dominic Assali (209) 542-0281
Name Phone Number

DESTINATION INFORMATION

Composting Facility / Broker / Farmer / Other (identify): Farmer

Contact information of Composting Facility, Broker, Farmer, or Other (as identified above):

Johal Dairy (209) 634-7817
Name Phone Number

6354 W Zeering RD	Turlock	CA	95380
Address	City	State	Zip Code

Destination Address or Assessor's Parcel Number:

Address	City	Zip Code

Street and nearest cross street (if no address) County

x022-x016-x013-xxxx Stanislaus
Assessor's Parcel Number Assessor's Parcel Number County

Last date hauled: 03/18/2023

Manure / Process Wastewater Tracking Manifest
For
Existing Milk Cow Dairies

General Order No. R5-2007-0035, Attachment D

PROCESS WASTEWATER AMOUNT HAULED

Enter the amount of process wastewater hauled in gallons and the method used to determine the amount:

Process Wastewater: 240,000 gallons

Method used to determine volume of process wastewater:

Pump GPM x Run Time

WRITTEN AGREEMENT

Does the Operator have a written agreement (in compliance with Land Application Specification C.2 of Waste Discharge Requirements General Order No. R5-2007-0035) with any party that receives process wastewater from the Operator for its own use?

[X] YES [ ] NO

If the answer is no, the Operator agrees to have such a written agreement with any such party for any process wastewater transferred after 31 December 2007 to such party.

_____ (Operator shall provide initials here to acknowledge this requirement)

CERTIFICATION

I declare under penalty of law that I personally examined and am familiar with the information submitted in this document, and that based on my inquiry of those individuals immediately responsible for obtaining the information, I believe that the information is true , accurate, and complete. I am aware that there are significant penalties for submitting false information, including the possibility of a fine and imprisonment for knowing violations.

Dominic Assali (Jun 7, 2024 16:56 PDT) — Jun 7, 2024

Operator Signature — Date

Dominic Assali (Jun 7, 2024 16:56 PDT) — Jun 7, 2024

Hauler Signature — Date

Manure / Process Wastewater Tracking Manifest
For
Existing Milk Cow Dairies

General Order No. R5-2007-0035, Attachment D

INSTRUCTIONS

1) Complete one manifest for each hauling event, for each destination. A hauling event may last for several days, as long as the manure is being hauled to the same destination.
2) If there are multiple destinations, complete a separate form for each destination.
3) The operator must obtain the signature of the hauler upon completion of each manure/process wastewater hauling event.
4) The operator shall submit copies of manure/process wastewater tracking manifest(s) with the Annual Monitoring Report for Existing Milk Cow Dairies.

OPERATOR INFORMATION

Name of Operator: Dominic Assali

Name of Dairy Facility: Double D Dairy #2

Facility Address:

3636 E Monte Vista AVE	Ceres	Stanislaus	95307
Number and Street	City	County	Zip Code

Contact Person Name and Phone Number: Dominic Assali (209) 542-0281
Name Phone Number

PROCESS WASTEWATER HAULER INFORMATION

Name of Hauling Company/Person: Pipeline

Address of Hauling Company/Person:

3636 E Monte Vista AVE	Ceres	CA	95307
Number and Street	City	State	Zip Code

Contact Person: Dominic Assali (209) 542-0281
Name Phone Number

DESTINATION INFORMATION

Composting Facility / Broker / Farmer / Other (identify): Farmer

Contact information of Composting Facility, Broker, Farmer, or Other (as identified above):

Paul Azevedo (209) 669-8365
Name Phone Number

536 N Prarie Flower RD	Turlock	CA	95380
Address	City	State	Zip Code

Destination Address or Assessor's Parcel Number:

Address City Zip Code

Street and nearest cross street (if no address) County

0022-0017-0001-0000 Stanislaus
Assessor's Parcel Number Assessor's Parcel Number County

Last date hauled: 04/02/2023

Manure / Process Wastewater Tracking Manifest
For
Existing Milk Cow Dairies

General Order No. R5-2007-0035, Attachment D

PROCESS WASTEWATER AMOUNT HAULED

Enter the amount of process wastewater hauled in gallons and the method used to determine the amount:

Process Wastewater: 360,000 gallons

Method used to determine volume of process wastewater:

GPM x Run Time

WRITTEN AGREEMENT

Does the Operator have a written agreement (in compliance with Land Application Specification C.2 of Waste Discharge Requirements General Order No. R5-2007-0035) with any party that receives process wastewater from the Operator for its own use?

[X] YES [ ] NO

If the answer is no, the Operator agrees to have such a written agreement with any such party for any process wastewater transferred after 31 December 2007 to such party.

_____ (Operator shall provide initials here to acknowledge this requirement)

CERTIFICATION

I declare under penalty of law that I personally examined and am familiar with the information submitted in this document, and that based on my inquiry of those individuals immediately responsible for obtaining the information, I believe that the information is true , accurate, and complete. I am aware that there are significant penalties for submitting false information, including the possibility of a fine and imprisonment for knowing violations.

Dominic Assali (Jun 7, 2024 16:56 PDT) — Jun 7, 2024

Operator Signature — Date

Dominic Assali (Jun 7, 2024 16:56 PDT) — Jun 7, 2024

Hauler Signature — Date

Manure / Process Wastewater Tracking Manifest
For
Existing Milk Cow Dairies

General Order No. R5-2007-0035, Attachment D

INSTRUCTIONS

1) Complete one manifest for each hauling event, for each destination. A hauling event may last for several days, as long as the manure is being hauled to the same destination.
2) If there are multiple destinations, complete a separate form for each destination.
3) The operator must obtain the signature of the hauler upon completion of each manure/process wastewater hauling event.
4) The operator shall submit copies of manure/process wastewater tracking manifest(s) with the Annual Monitoring Report for Existing Milk Cow Dairies.

OPERATOR INFORMATION

Name of Operator: Dominic Assali

Name of Dairy Facility: Double D Dairy #2

Facility Address:

3636 E Monte Vista AVE	Ceres	Stanislaus	95307
Number and Street	City	County	Zip Code

Contact Person Name and Phone Number: Dominic Assali (209) 542-0281
Name Phone Number

MANURE HAULER INFORMATION

Name of Hauling Company/Person: Double D Dairy

Address of Hauling Company/Person:

1441 E Monte Vista AVE	Ceres	CA	95307
Number and Street	City	State	Zip Code

Contact Person: Dominic Assali (209) 542-0281
Name Phone Number

DESTINATION INFORMATION

Composting Facility / Broker / Farmer / Other (identify): other: Almond Huller

Contact information of Composting Facility, Broker, Farmer, or Other (as identified above):

Assali Hulling & Shelling (209) 542-0281
Name Phone Number

8618 E Whitmore AVE	Hughson	CA	95326
Address	City	State	Zip Code

Destination Address or Assessor's Parcel Number:

8618 E Whitmore AVE	Hughson	95326
Address	City	Zip Code

	Stanislaus
Street and nearest cross street (if no address)	County

Assessor's Parcel Number Assessor's Parcel Number County

Last date hauled: 05/12/2023

Manure / Process Wastewater Tracking Manifest
For
Existing Milk Cow Dairies

General Order No. R5-2007-0035, Attachment D

MANURE AMOUNT HAULED

Enter the amount of manure hauled in tons, manure solids content, and the method used to calculate the amount:

Manure: 4,240.00 tons

Manure Solids Content: 23.5 %

Method used to determine amount of manure:

212 Loads @ 20 Tons Per Load

CERTIFICATION

I declare under penalty of law that I personally examined and am familiar with the information submitted in this document, and that based on my inquiry of those individuals immediately responsible for obtaining the information, I believe that the information is true , accurate, and complete. I am aware that there are significant penalties for submitting false information, including the possibility of a fine and imprisonment for knowing violations.

Dominic Assali (Jun 7, 2024 16:56 PDT) — Jun 7, 2024

Operator Signature — Date

Dominic Assali (Jun 7, 2024 16:56 PDT) — Jun 7, 2024

Hauler Signature — Date

Manure / Process Wastewater Tracking Manifest
For
Existing Milk Cow Dairies

General Order No. R5-2007-0035, Attachment D

INSTRUCTIONS

1) Complete one manifest for each hauling event, for each destination. A hauling event may last for several days, as long as the manure is being hauled to the same destination.
2) If there are multiple destinations, complete a separate form for each destination.
3) The operator must obtain the signature of the hauler upon completion of each manure/process wastewater hauling event.
4) The operator shall submit copies of manure/process wastewater tracking manifest(s) with the Annual Monitoring Report for Existing Milk Cow Dairies.

OPERATOR INFORMATION

Name of Operator: Dominic Assali

Name of Dairy Facility: Double D Dairy #2

Facility Address:

3636 E Monte Vista AVE	Ceres	Stanislaus	95307
Number and Street	City	County	Zip Code

Contact Person Name and Phone Number: Dominic Assali (209) 542-0281
Name Phone Number

PROCESS WASTEWATER HAULER INFORMATION

Name of Hauling Company/Person: Pipeline

Address of Hauling Company/Person:

3636 E Monte Vista AVE	Ceres	CA	95307
Number and Street	City	State	Zip Code

Contact Person: Dominic Assali (209) 542-0281
Name Phone Number

DESTINATION INFORMATION

Composting Facility / Broker / Farmer / Other (identify): Farmer

Contact information of Composting Facility, Broker, Farmer, or Other (as identified above):

Paul Azevedo (209) 669-8365
Name Phone Number

536 N Prarie Flower RD	Turlock	CA	95380
Address	City	State	Zip Code

Destination Address or Assessor's Parcel Number:

Address City Zip Code

Street and nearest cross street (if no address) County

0022-0017-0001-0000 Stanislaus
Assessor's Parcel Number Assessor's Parcel Number County

Last date hauled: 05/25/2023

Manure / Process Wastewater Tracking Manifest
For
Existing Milk Cow Dairies

General Order No. R5-2007-0035, Attachment D

PROCESS WASTEWATER AMOUNT HAULED

Enter the amount of process wastewater hauled in gallons and the method used to determine the amount:

Process Wastewater: 420,000 gallons

Method used to determine volume of process wastewater:

Pump GPM x Run time

WRITTEN AGREEMENT

Does the Operator have a written agreement (in compliance with Land Application Specification C.2 of Waste Discharge Requirements General Order No. R5-2007-0035) with any party that receives process wastewater from the Operator for its own use?

[X] YES [ ] NO

If the answer is no, the Operator agrees to have such a written agreement with any such party for any process wastewater transferred after 31 December 2007 to such party.

_____ (Operator shall provide initials here to acknowledge this requirement)

CERTIFICATION

I declare under penalty of law that I personally examined and am familiar with the information submitted in this document, and that based on my inquiry of those individuals immediately responsible for obtaining the information, I believe that the information is true , accurate, and complete. I am aware that there are significant penalties for submitting false information, including the possibility of a fine and imprisonment for knowing violations.

Dominic Assali (Jun 7, 2024 16:56 PDT) — Jun 7, 2024

Operator Signature — Date

Dominic Assali (Jun 7, 2024 16:56 PDT) — Jun 7, 2024

Hauler Signature — Date

Manure / Process Wastewater Tracking Manifest
For
Existing Milk Cow Dairies

General Order No. R5-2007-0035, Attachment D

INSTRUCTIONS

1) Complete one manifest for each hauling event, for each destination. A hauling event may last for several days, as long as the manure is being hauled to the same destination.
2) If there are multiple destinations, complete a separate form for each destination.
3) The operator must obtain the signature of the hauler upon completion of each manure/process wastewater hauling event.
4) The operator shall submit copies of manure/process wastewater tracking manifest(s) with the Annual Monitoring Report for Existing Milk Cow Dairies.

OPERATOR INFORMATION

Name of Operator: Dominic Assali

Name of Dairy Facility: Double D Dairy #2

Facility Address:

3636 E Monte Vista AVE	Ceres	Stanislaus	95307
Number and Street	City	County	Zip Code

Contact Person Name and Phone Number: Dominic Assali (209) 542-0281
Name Phone Number

PROCESS WASTEWATER HAULER INFORMATION

Name of Hauling Company/Person: Pipeline

Address of Hauling Company/Person:

3636 E Monte Vista AVE	Ceres	CA	95307
Number and Street	City	State	Zip Code

Contact Person: Dominic Assali (209) 542-0281
Name Phone Number

DESTINATION INFORMATION

Composting Facility / Broker / Farmer / Other (identify): Farmer

Contact information of Composting Facility, Broker, Farmer, or Other (as identified above):

Paul Azevedo (209) 669-8365
Name Phone Number

536 N Prarie Flower RD	Turlock	CA	95380
Address	City	State	Zip Code

Destination Address or Assessor's Parcel Number:

Address City Zip Code

Street and nearest cross street (if no address) County

0022-0017-0001-0000 Stanislaus
Assessor's Parcel Number Assessor's Parcel Number County

Last date hauled: 07/12/2023

Manure / Process Wastewater Tracking Manifest
For
Existing Milk Cow Dairies

General Order No. R5-2007-0035, Attachment D

PROCESS WASTEWATER AMOUNT HAULED

Enter the amount of process wastewater hauled in gallons and the method used to determine the amount:

Process Wastewater: 315,000 gallons

Method used to determine volume of process wastewater:

PUmp GPM x Run time

WRITTEN AGREEMENT

Does the Operator have a written agreement (in compliance with Land Application Specification C.2 of Waste Discharge Requirements General Order No. R5-2007-0035) with any party that receives process wastewater from the Operator for its own use?

[X] YES [ ] NO

If the answer is no, the Operator agrees to have such a written agreement with any such party for any process wastewater transferred after 31 December 2007 to such party.

_____ (Operator shall provide initials here to acknowledge this requirement)

CERTIFICATION

I declare under penalty of law that I personally examined and am familiar with the information submitted in this document, and that based on my inquiry of those individuals immediately responsible for obtaining the information, I believe that the information is true , accurate, and complete. I am aware that there are significant penalties for submitting false information, including the possibility of a fine and imprisonment for knowing violations.

Dominic Assali (Jun 7, 2024 16:56 PDT) — Jun 7, 2024

Operator Signature — Date

Dominic Assali (Jun 7, 2024 16:56 PDT) — Jun 7, 2024

Hauler Signature — Date

Manure / Process Wastewater Tracking Manifest
For
Existing Milk Cow Dairies

General Order No. R5-2007-0035, Attachment D

INSTRUCTIONS

1) Complete one manifest for each hauling event, for each destination. A hauling event may last for several days, as long as the manure is being hauled to the same destination.
2) If there are multiple destinations, complete a separate form for each destination.
3) The operator must obtain the signature of the hauler upon completion of each manure/process wastewater hauling event.
4) The operator shall submit copies of manure/process wastewater tracking manifest(s) with the Annual Monitoring Report for Existing Milk Cow Dairies.

OPERATOR INFORMATION

Name of Operator: Dominic Assali

Name of Dairy Facility: Double D Dairy #2

Facility Address:

Number and Street	City	County	Zip Code
3636 E Monte Vista AVE	Ceres	Stanislaus	95307

Contact Person Name and Phone Number:

Name	Phone Number
Dominic Assali	(209) 542-0281

PROCESS WASTEWATER HAULER INFORMATION

Name of Hauling Company/Person: Pipeline

Address of Hauling Company/Person:

Number and Street	City	State	Zip Code
3636 E Monte Vista AVE	Ceres	CA	95307

Contact Person:

Name	Phone Number
Dominic Assali	(209) 542-0281

DESTINATION INFORMATION

Composting Facility / Broker / Farmer / Other (identify): Farmer

Contact information of Composting Facility, Broker, Farmer, or Other (as identified above):

Name	Phone Number
Paul Azevedo	(209) 669-8365

Address	City	State	Zip Code
536 N Prarie Flower RD	Turlock	CA	95380

Destination Address or Assessor's Parcel Number:

Address	City	Zip Code

Street and nearest cross street (if no address)	County

Assessor's Parcel Number	Assessor's Parcel Number County
0022-0017-0001-0000	Stanislaus

Last date hauled: 07/29/2023

Manure / Process Wastewater Tracking Manifest
For
Existing Milk Cow Dairies

General Order No. R5-2007-0035, Attachment D

PROCESS WASTEWATER AMOUNT HAULED

Enter the amount of process wastewater hauled in gallons and the method used to determine the amount:

Process Wastewater: 300,000 gallons

Method used to determine volume of process wastewater:

Pump GPM x Run Time

WRITTEN AGREEMENT

Does the Operator have a written agreement (in compliance with Land Application Specification C.2 of Waste Discharge Requirements General Order No. R5-2007-0035) with any party that receives process wastewater from the Operator for its own use?

[X] YES [ ] NO

If the answer is no, the Operator agrees to have such a written agreement with any such party for any process wastewater transferred after 31 December 2007 to such party.

_____ (Operator shall provide initials here to acknowledge this requirement)

CERTIFICATION

I declare under penalty of law that I personally examined and am familiar with the information submitted in this document, and that based on my inquiry of those individuals immediately responsible for obtaining the information, I believe that the information is true , accurate, and complete. I am aware that there are significant penalties for submitting false information, including the possibility of a fine and imprisonment for knowing violations.

Dominic Assali (Jun 7, 2024 16:56 PDT) — Jun 7, 2024

Operator Signature — Date

Dominic Assali (Jun 7, 2024 16:56 PDT) — Jun 7, 2024

Hauler Signature — Date

Manure / Process Wastewater Tracking Manifest
For
Existing Milk Cow Dairies

General Order No. R5-2007-0035, Attachment D

INSTRUCTIONS

1) Complete one manifest for each hauling event, for each destination. A hauling event may last for several days, as long as the manure is being hauled to the same destination.
2) If there are multiple destinations, complete a separate form for each destination.
3) The operator must obtain the signature of the hauler upon completion of each manure/process wastewater hauling event.
4) The operator shall submit copies of manure/process wastewater tracking manifest(s) with the Annual Monitoring Report for Existing Milk Cow Dairies.

OPERATOR INFORMATION

Name of Operator: Dominic Assali

Name of Dairy Facility: Double D Dairy #2

Facility Address:

3636 E Monte Vista AVE	Ceres	Stanislaus	95307
Number and Street	City	County	Zip Code

Contact Person Name and Phone Number: Dominic Assali (209) 542-0281
Name Phone Number

PROCESS WASTEWATER HAULER INFORMATION

Name of Hauling Company/Person: Pipeline

Address of Hauling Company/Person:

3636 E Monte Vista AVE	Ceres	CA	95307
Number and Street	City	State	Zip Code

Contact Person: Dominic Assali (209) 542-0281
Name Phone Number

DESTINATION INFORMATION

Composting Facility / Broker / Farmer / Other (identify): Farmer

Contact information of Composting Facility, Broker, Farmer, or Other (as identified above):

Paul Azevedo (209) 669-8365
Name Phone Number

536 N Prarie Flower RD	Turlock	CA	95380
Address	City	State	Zip Code

Destination Address or Assessor's Parcel Number:

Address City Zip Code

Street and nearest cross street (if no address) County

0022-0017-0001-0000 Stanislaus
Assessor's Parcel Number Assessor's Parcel Number County

Last date hauled: 08/09/2023

Manure / Process Wastewater Tracking Manifest
For
Existing Milk Cow Dairies

General Order No. R5-2007-0035, Attachment D

PROCESS WASTEWATER AMOUNT HAULED

Enter the amount of process wastewater hauled in gallons and the method used to determine the amount:

Process Wastewater: 660,000 gallons

Method used to determine volume of process wastewater:

Pump GPM x Run time

WRITTEN AGREEMENT

Does the Operator have a written agreement (in compliance with Land Application Specification C.2 of Waste Discharge Requirements General Order No. R5-2007-0035) with any party that receives process wastewater from the Operator for its own use?

[X] YES [ ] NO

If the answer is no, the Operator agrees to have such a written agreement with any such party for any process wastewater transferred after 31 December 2007 to such party.

_____ (Operator shall provide initials here to acknowledge this requirement)

CERTIFICATION

I declare under penalty of law that I personally examined and am familiar with the information submitted in this document, and that based on my inquiry of those individuals immediately responsible for obtaining the information, I believe that the information is true , accurate, and complete. I am aware that there are significant penalties for submitting false information, including the possibility of a fine and imprisonment for knowing violations.

Dominic Assali (Jun 7, 2024 16:56 PDT) — Jun 7, 2024

Operator Signature — Date

Dominic Assali (Jun 7, 2024 16:56 PDT) — Jun 7, 2024

Hauler Signature — Date

Manure / Process Wastewater Tracking Manifest
For
Existing Milk Cow Dairies

General Order No. R5-2007-0035, Attachment D

INSTRUCTIONS

1) Complete one manifest for each hauling event, for each destination. A hauling event may last for several days, as long as the manure is being hauled to the same destination.
2) If there are multiple destinations, complete a separate form for each destination.
3) The operator must obtain the signature of the hauler upon completion of each manure/process wastewater hauling event.
4) The operator shall submit copies of manure/process wastewater tracking manifest(s) with the Annual Monitoring Report for Existing Milk Cow Dairies.

OPERATOR INFORMATION

Name of Operator: Dominic Assali

Name of Dairy Facility: Double D Dairy #2

Facility Address:

3636 E Monte Vista AVE	Ceres	Stanislaus	95307
Number and Street	City	County	Zip Code

Contact Person Name and Phone Number: Dominic Assali (209) 542-0281
Name Phone Number

PROCESS WASTEWATER HAULER INFORMATION

Name of Hauling Company/Person: Pipeline

Address of Hauling Company/Person:

3636 E Monte Vista AVE	Ceres	CA	95307
Number and Street	City	State	Zip Code

Contact Person: Dominic Assali (209) 542-0281
Name Phone Number

DESTINATION INFORMATION

Composting Facility / Broker / Farmer / Other (identify): Farmer

Contact information of Composting Facility, Broker, Farmer, or Other (as identified above):

Paul Azevedo (209) 669-8365
Name Phone Number

536 N Prarie Flower RD	Turlock	CA	95380
Address	City	State	Zip Code

Destination Address or Assessor's Parcel Number:

Address City Zip Code

Street and nearest cross street (if no address) County

0022-0017-0001-0000 Stanislaus
Assessor's Parcel Number Assessor's Parcel Number County

Last date hauled: 08/31/2023

Manure / Process Wastewater Tracking Manifest
For
Existing Milk Cow Dairies

General Order No. R5-2007-0035, Attachment D

PROCESS WASTEWATER AMOUNT HAULED

Enter the amount of process wastewater hauled in gallons and the method used to determine the amount:

Process Wastewater: 300,000 gallons

Method used to determine volume of process wastewater:

Pump GPM x Run Time

WRITTEN AGREEMENT

Does the Operator have a written agreement (in compliance with Land Application Specification C.2 of Waste Discharge Requirements General Order No. R5-2007-0035) with any party that receives process wastewater from the Operator for its own use?

[X] YES [ ] NO

If the answer is no, the Operator agrees to have such a written agreement with any such party for any process wastewater transferred after 31 December 2007 to such party.

_____ (Operator shall provide initials here to acknowledge this requirement)

CERTIFICATION

I declare under penalty of law that I personally examined and am familiar with the information submitted in this document, and that based on my inquiry of those individuals immediately responsible for obtaining the information, I believe that the information is true , accurate, and complete. I am aware that there are significant penalties for submitting false information, including the possibility of a fine and imprisonment for knowing violations.

Dominic Assali (Jun 7, 2024 16:56 PDT) — Jun 7, 2024

Operator Signature — Date

Dominic Assali (Jun 7, 2024 16:56 PDT) — Jun 7, 2024

Hauler Signature — Date

Manure / Process Wastewater Tracking Manifest
For
Existing Milk Cow Dairies

General Order No. R5-2007-0035, Attachment D

INSTRUCTIONS

1) Complete one manifest for each hauling event, for each destination. A hauling event may last for several days, as long as the manure is being hauled to the same destination.
2) If there are multiple destinations, complete a separate form for each destination.
3) The operator must obtain the signature of the hauler upon completion of each manure/process wastewater hauling event.
4) The operator shall submit copies of manure/process wastewater tracking manifest(s) with the Annual Monitoring Report for Existing Milk Cow Dairies.

OPERATOR INFORMATION

Name of Operator: Dominic Assali

Name of Dairy Facility: Double D Dairy #2

Facility Address:

3636 E Monte Vista AVE	Ceres	Stanislaus	95307
Number and Street	City	County	Zip Code

Contact Person Name and Phone Number: Dominic Assali (209) 542-0281
Name Phone Number

MANURE HAULER INFORMATION

Name of Hauling Company/Person: Dores Ag Services

Address of Hauling Company/Person:

P.O. Box 65	Stevinson	CA	95374
Number and Street	City	State	Zip Code

Contact Person: Phil Dores (209) 649-4503
Name Phone Number

DESTINATION INFORMATION

Composting Facility / Broker / Farmer / Other (identify): Broker

Contact information of Composting Facility, Broker, Farmer, or Other (as identified above):

Phil Dores (209) 649-4503
Name Phone Number

23234 Second AVE	Stevinson	CA	95374
Address	City	State	Zip Code

Destination Address or Assessor's Parcel Number:

23234 Second AVE	Stevinson	95374
Address	City	Zip Code

	Merced
Street and nearest cross street (if no address)	County

Assessor's Parcel Number Assessor's Parcel Number County

Last date hauled: 10/17/2023

Manure / Process Wastewater Tracking Manifest
For
Existing Milk Cow Dairies

General Order No. R5-2007-0035, Attachment D

MANURE AMOUNT HAULED

Enter the amount of manure hauled in tons, manure solids content, and the method used to calculate the amount:

Manure: 1,060.00 tons

Manure Solids Content: 84.4 %

Method used to determine amount of manure:

106 Loads @ 10 Tons Per Load

CERTIFICATION

I declare under penalty of law that I personally examined and am familiar with the information submitted in this document, and that based on my inquiry of those individuals immediately responsible for obtaining the information, I believe that the information is true , accurate, and complete. I am aware that there are significant penalties for submitting false information, including the possibility of a fine and imprisonment for knowing violations.

Dominic Assali (Jun 7, 2024 16:56 PDT) — Jun 7, 2024

Operator Signature — Date

Phil Dores — 10/29/2023

Hauler Signature — Date

Manure / Process Wastewater Tracking Manifest
For
Existing Milk Cow Dairies

General Order No. R5-2007-0035, Attachment D

INSTRUCTIONS

1) Complete one manifest for each hauling event, for each destination. A hauling event may last for several days, as long as the manure is being hauled to the same destination.
2) If there are multiple destinations, complete a separate form for each destination.
3) The operator must obtain the signature of the hauler upon completion of each manure/process wastewater hauling event.
4) The operator shall submit copies of manure/process wastewater tracking manifest(s) with the Annual Monitoring Report for Existing Milk Cow Dairies.

OPERATOR INFORMATION

Name of Operator: Dominic Assali

Name of Dairy Facility: Double D Dairy #2

Facility Address:

3636 E Monte Vista AVE	Ceres	Stanislaus	95307
Number and Street	City	County	Zip Code

Contact Person Name and Phone Number: Dominic Assali (209) 542-0281
Name Phone Number

PROCESS WASTEWATER HAULER INFORMATION

Name of Hauling Company/Person: Pipeline

Address of Hauling Company/Person:

3636 E Monte Vista AVE	Ceres	CA	95307
Number and Street	City	State	Zip Code

Contact Person: Dominic Assali (209) 542-0281
Name Phone Number

DESTINATION INFORMATION

Composting Facility / Broker / Farmer / Other (identify): Farmer

Contact information of Composting Facility, Broker, Farmer, or Other (as identified above):

Paul Azevedo (209) 669-8365
Name Phone Number

536 N Prarie Flower RD	Turlock	CA	95380
Address	City	State	Zip Code

Destination Address or Assessor's Parcel Number:

Address City Zip Code

Street and nearest cross street (if no address) County

0022-0017-0001-0000 Stanislaus
Assessor's Parcel Number Assessor's Parcel Number County

Last date hauled: 10/27/2023

Manure / Process Wastewater Tracking Manifest
For
Existing Milk Cow Dairies

General Order No. R5-2007-0035, Attachment D

PROCESS WASTEWATER AMOUNT HAULED

Enter the amount of process wastewater hauled in gallons and the method used to determine the amount:

Process Wastewater: 480,000 gallons

Method used to determine volume of process wastewater:

PUmp GPM x Run Time

WRITTEN AGREEMENT

Does the Operator have a written agreement (in compliance with Land Application Specification C.2 of Waste Discharge Requirements General Order No. R5-2007-0035) with any party that receives process wastewater from the Operator for its own use?

[X] YES [ ] NO

If the answer is no, the Operator agrees to have such a written agreement with any such party for any process wastewater transferred after 31 December 2007 to such party.

_____ (Operator shall provide initials here to acknowledge this requirement)

CERTIFICATION

I declare under penalty of law that I personally examined and am familiar with the information submitted in this document, and that based on my inquiry of those individuals immediately responsible for obtaining the information, I believe that the information is true , accurate, and complete. I am aware that there are significant penalties for submitting false information, including the possibility of a fine and imprisonment for knowing violations.

Dominic Assali (Jun 7, 2024 16:56 PDT) — Jun 7, 2024

Operator Signature — Date

Dominic Assali (Jun 7, 2024 16:56 PDT) — Jun 7, 2024

Hauler Signature — Date

Denele Analytical, Inc.

865 South Kilroy Avenue Turlock, CA 95380
Phone (209) 634-9055 - Fax (209) 634-9057

40 N. East Street, Woodland, CA 95776
Phone (530) 666-9056 - Fax (530) 666-9058

www.denelelabs.com

Compliance Analysis Report

Customer
Double D Dairy
1441 E. Monte Vista
Ceres, CA 95307

Grower

Consultant:
F & R Ag Services
2857 Geer Rd. Ste A
Turlock, CA 95382

PURCHASE ORDER: Dairy #2
RECEIVED DATE: 12/28/23 9:00 AM
SUBMITTED BY: Sean
ANALYZED DATE: 12/28/23

Irrigation/ Ground Water (H1)
SOURCE: Well Water

NOTES: Temperature was above qualifying at 9.0c

Sample ID	Lab ID	Analyte	Method Ref	Result	Units
DW-Gonsalves	T3362003A	Electrical Conductivity (EC)	EPA 120.1 and	0.385	mmhos/cm
		Nitrate Nitrogen (NO3-N)	EPA 353.2	< 0.140	mg/L
		Ammonia Nitrogen (NH3-N)	SM 4500-NH3 D,C	< 0.500	mg/L
		Soluble Salts (SALT-SOL)	Calculation	246	mg/L

Laboratory Quality Control	LCS %	MS %	MSD %	RPD %
Ammonia Nitrogen (NH3-N)	91.2	91.0 (T3362002A)	93.4 (T3362002A)	2.60
Electrical Conductivity (EC)	98.8			0.901
Nitrate Nitrogen (NO3-N)	100	155 (T3362002A)	150 (T3362002A)	3.10

The warranty of Denele Analytical is limited to the accuracy of the analyses of the samples as received. Denele Analytical assumes no responsibility for which the customer uses our test results, nor liability for any other warranties, express or implied. These terms and conditions shall supercede any conflicting terms and conditions submitted on customer purchase orders or other forms submitted for work.

ELAP Certificate No.: 2714

Denele Analytical, Inc.

865 South Kilroy Avenue Turlock, CA 95380
Phone (209) 634-9055 - Fax (209) 634-9057

40 N. East Street, Woodland, CA 95776
Phone (530) 666-9056 - Fax (530) 666-9058

www.denelelabs.com

Compliance Analysis Report

Customer
Double D Dairy
1441 E. Monte Vista
Ceres, CA 95307

Grower

Consultant:
F & R Ag Services
2857 Geer Rd. Ste A
Turlock, CA 95382

PURCHASE ORDER: Dairy #2
RECEIVED DATE: 12/28/23 9:00 AM
SUBMITTED BY: Sean
ANALYZED DATE: 12/28/23

Irrigation / Ground Water (H7)
SOURCE: Irrigation Water

NOTES: Temperature was above qualifying at 8.8c

Sample ID	Lab ID	Analyte	Method Ref	Result	Units
IW-Canal	T3362003B	Electrical Conductivity (EC)	EPA 120.1 and	0.990	mmhos/cm
		Ammonia Nitrogen (NH3-N)	SM 4500-NH3 D,C	< 0.500	mg/L
		Nitrate Nitrogen (NO3-N)	EPA 353.2	45.2	mg/L
		Total Dissolved Solids (TDS)	SM 2540 C-1997 and	570	mg/L
		Total Nitrogen (TN)	SM 4500-NH3 D,C	45.5	mg/L
		Soluble Salts (SALT-SOL)	Calculation	634	mg/L

Laboratory Quality Control	LCS %	MS %	MSD %	Sample mg/L	Dup mg/L	RPD %
Ammonia Nitrogen (NH3-N)	91.2	91.0 (T3362002A)	93.4 (T3362002A)			2.60
Electrical Conductivity (EC)	98.8			0.669 (T3361001I)	0.663 (Dup)	0.901
Nitrate Nitrogen (NO3-N)	104	105 (T3361023A)	103 (T3361023A)			1.64
Total Dissolved Solids (TDS)	104			560 (T3362017B)	595 (Dup)	6.06
Total Nitrogen (TN)	102			0.280 (T3353003G)	0.280 (null)	0.000

The warranty of Denele Analytical is limited to the accuracy of the analyses of the samples as received. Denele Analytical assumes no responsibility for which the customer uses our test results, nor liability for any other warranties, express or implied. These terms and conditions shall supercede any conflicting terms and conditions submitted on customer purchase orders or other forms submitted for work.

Denele Analytical, Inc.

865 South Kilroy Avenue Turlock, CA 95380
Phone (209) 634-9055 - Fax (209) 634-9057

40 N. East Street, Woodland, CA 95776
Phone (530) 666-9056 - Fax (530) 666-9058

www.denelelabs.com

Compliance Analysis Report

Customer
Double D Dairy
1441 E. Monte Vista
Ceres, CA 95307

Grower

Consultant:
F & R Ag Services
2857 Geer Rd. Ste A
Turlock, CA 95382

PURCHASE ORDER: Dairy #2
RECEIVED DATE: 12/28/23 9:00 AM
SUBMITTED BY: Sean
ANALYZED DATE: 12/28/23

Irrigation / Ground Water (H7)
SOURCE: Irrigation Water

NOTES: Temperature was above qualifying at 7.8c

Sample ID	Lab ID	Analyte	Method Ref	Result	Units
IW-Shop	T3362003C	Electrical Conductivity (EC)	EPA 120.1 and	0.994	mmhos/cm
		Ammonia Nitrogen (NH3-N)	SM 4500-NH3 D,C	< 0.500	mg/L
		Nitrate Nitrogen (NO3-N)	EPA 353.2	45.1	mg/L
		Total Dissolved Solids (TDS)	SM 2540 C-1997 and	560	mg/L
		Soluble Salts (SALT-SOL)	Calculation	636	mg/L

Laboratory Quality Control	LCS %	MS %	MSD %	Sample mg/L	Dup mg/L	RPD %
Ammonia Nitrogen (NH3-N)	91.2	91.0 (T3362002A)	93.4 (T3362002A)			2.60
Electrical Conductivity (EC)	98.8			0.669 (T3361001I)	0.663 (Dup)	0.901
Nitrate Nitrogen (NO3-N)	104	105 (T3361023A)	103 (T3361023A)			1.64
Total Dissolved Solids (TDS)	104			560 (T3362017B)	595 (Dup)	6.06

The warranty of Denele Analytical is limited to the accuracy of the analyses of the samples as received. Denele Analytical assumes no responsibility for which the customer uses our test results, nor liability for any other warranties, express or implied. These terms and conditions shall supercede any conflicting terms and conditions submitted on customer purchase orders or other forms submitted for work.

DENELE ANALYTICAL, INC.

865 S. KILROY
TURLOCK, CA 95380

PH# 209-634-9055 FAX# 209-634-9057

DAIRY COMPLIANCE

Client: DOUBLE D DAIRY
Mailing address:
(not facility address) CERES CA
Phone#:

Authorized Copy Released To: FTR AG

Sampled By: DOMINIC
Project ID: DAIRY #2

ANALYSIS TO BE COMPLETED:

IRRIGATION/GROUND WATER
- H1 EC*, NO3-N, NH4-N*
- H6 EC, TN, TDS
- H7 Combination of H1 & H6
- H14 EC, NO3-N, NH4-N, Ca, Mg, Na, Bicarb Carb, SO4, Cl, TDS

PROCESS WASTE WATER
- H3 EC*, NH4-N, TKN, TP, K, TDS
- H4 EC*, NO3-N, NH4-N, TKN, TP, K, TDS
- H5 Ca, Mg, Na, Bicarb, Carb, SO4, Cl
- H8 Combination of H3 &H5
- H9 Combination of H4 &H5

TILE DRAIN
- H2 EC*, NO3-N, TP, NH4-N*, TDS

** Required Field Measurement*

___ (Check here if performed)

DISCHARGE WATER
- E1 EC*, Temp*, pH*, NO3-N, NH4-N, TKN, TP, K, TDS, Dissolved Oxygen*, BOD 5, TSS, Total & Fecal Coliforms
- E2 EC,* Temp*, pH*, NO3-N, NH4-N*, Turbidity, TP, Dissolved Oxygen*, Total & Fecal Coliforms
- E3 EC*, Temp*, pH*, NO3-N, NH4-N*, TP, Total & Fecal Coliforms
- E4 EC*, Temp*, pH*, NO3-N, NH4-N*, Turbidity, TP, Total & Fecal Coliform

MANURE
- M1 % Moisture
- M3 TN TP, K, % Moisture
- M4 Ca, Mg, Na, Bicarb, Carb, SO4, Cl, Ash
- M7 Combination of M3 & M4

PLANT TISSUE
- F18 % Moisture, Ash, TN, P, K, DM and as received
- F18+ % Moisture, Ash, TN, P, K, DM and as received (Package also includes NIR DCAD)
- F19+ % Moisture, TN (Package includes complete plant tissue analysis)

SOIL
- K3 Soluble Phosphorus
- K4 1ft NO3, Organic Matter
- K5 Pre-Plant (2ft NO3), Fall (1-2ft NO3), Fall (2-3ft NO3)
- K6 0-1ft EC, NO3, Soluble P, K, Organic Matter
- K7 Combination of K3 & K4
- K8 Combination of K3 & K5

	Date Collected	Time Collected	Sample ID	Description	Temp	Well Purge	Analysis: H1	H3	M3	F18	OTHER
1	12/27/23	12:35	DW - GONSALVES	DOMESTIC	9.0°C		X				
2		12:40	IW - CANAL	AG WELL	8.8°C						H7
3		12:45	IW - SHOP	"	7.8°C						H7
4											
5											
6											
7											
8											
9											
10											

CHAIN OF CUSTODY RECORDING

	Signature	Company	Received Date & Time	Relinquished Date & Time	(LABORATORY USE ONLY) Logged in By:	LABORATORY NUMBER
1st		FTR				
2nd		DENELE ANALYTICAL, INC.	12-28-23 9:00			T3362003

Required to be submitted to any agency? (YES / NO)

2023 Double D #2 Annual Report

Final Audit Report 2024-06-07

Created:	2024-06-07
By:	Sean Locke (slocke@fragservices.com)
Status:	Signed
Transaction ID:	CBJCHBCAABAAZWYIjyKTneu7bp4sw-ObDYXai911F1R4

"2023 Double D #2 Annual Report" History

Document created by Sean Locke (slocke@fragservices.com)
2024-06-07 - 5:13:14 PM GMT

Document emailed to doubledholsteins@yahoo.com for signature
2024-06-07 - 5:19:32 PM GMT

Email viewed by doubledholsteins@yahoo.com
2024-06-07 - 11:11:24 PM GMT

Signer doubledholsteins@yahoo.com entered name at signing as Dominic Assali
2024-06-07 - 11:56:57 PM GMT

Document e-signed by Dominic Assali (doubledholsteins@yahoo.com)
Signature Date: 2024-06-07 - 11:56:59 PM GMT - Time Source: server

Agreement completed.
2024-06-07 - 11:56:59 PM GMT