CALIFORNIA REGIONAL WATER QUALITY CONTROL BOARD

CENTRAL VALLEY REGION
11020 SUN CENTER DR #200
RANCHO CORDOVA CA 95670-6114

2023 ANNUAL REPORT

PREPARED FOR:

ART SILVA DAIRY #2

3701 LANGWORTH RD

MODESTO CA 95357

NOTES:

PREPARED BY:

CARDOSO AG SERVICES INC.
PO BOX 906
NEWMAN CA 95360

Annual Report - General Order No. R5-2007-0035
Reporting period 01/01/2023 to 12/31/2023.

DAIRY FACILITY INFORMATION

A. NAME OF DAIRY OR BUSINESS OPERATING THE DAIRY: Art Silva Dairy #2

Physical address of dairy:

Number and Street	City	County	Zip Code
3701 Langworth RD	Modesto	Stanislaus	95357

Street and nearest cross street (if no address):

Date facility was originally placed in operation: 01/01/1942

Regional Water Quality Control Board Basin Plan designation: Sacramento River Basin

County Assessor Parcel Number(s) for dairy facility:

0014-0015-0002-0000

B. OPERATORS

Silva, Art

Operator name: Silva, Art

Telephone no.: (209) 604-0018 (Landline) (Cellular)

Mailing Address Number and Street	City	State	Zip Code
5201 Milnes RD	Modesto	CA	95357

This operator is responsible for paying permit fees.

C. OWNERS

Pacheco 1999 FLP

Legal owner name: Pacheco 1999 FLP

Telephone no.: (209) 609-9473 (Landline) (Cellular)

Mailing Address Number and Street	City	State	Zip Code
P.O. Box 1046	Ripon	CA	95366

AVAILABLE NUTRIENTS

A. HERD INFORMATION

	Milk Cows	Dry Cows	Bred Heifers (15-24 mo.)	Heifers (7-14 mo. to breeding)	Calves (4-6 mo.)	Calves (0-3 mo.)
Number open confinement	0	0	145	0	73	0
Number under roof	533	0	0	0	0	0
Maximum number	533	0	145	0	73	0
Average number	533	0	145	0	73	0
Avg live weight (lbs)	1,400	0	145	0		

Predominant milk cow breed: Holstein

Average milk production: 78 *pounds per cow per day*

B. MANURE GENERATED

Total manure excreted by the herd: 15,537.37 *tons per reporting period*

Total nitrogen from manure: 202,791.33 *lbs per reporting period*

After ammonia losses (30% loss applied): 141,953.93 *lbs per reporting period*

Total phosphorus from manure: 34,058.14 *lbs per reporting period*

Total potassium from manure: 104,875.87 *lbs per reporting period*

Total salt from manure: 250,963.05 *lbs per reporting period*

C. PROCESS WASTEWATER GENERATED

Process wastewater generated: 15,319,112 *gallons*

Total nitrogen generated: 49,898.68 *lbs*

Total phosphorus generated: 11,296.85 *lbs*

Total potassium generated: 88,307.27 *lbs*

Total salt generated: 472,944.60 *lbs*

	15,319,112	*gallons applied*
+	0	*gallons exported*
-	0	*gallons imported*
=	15,319,112	*gallons generated*

D. FRESH WATER SOURCES

Source Description	Type
Canal	Surface water
Domestic Well	Ground water

E. SUBSURFACE (TILE) DRAINAGE SOURCES

No subsurface (tile) drainage sources entered.

F. NUTRIENT IMPORTS

No dry manure nutrient imports entered.

No process wastewater nutrient imports entered.

No commercial or other nutrient imports entered.

G. NUTRIENT EXPORTS

Date	Material type	Quantity	Reporting basis	Moisture (%)	Density (lbs/cu ft)	N (mg/kg)	P (mg/kg)	K (mg/kg)	Salt (mg/kg)	TFS (%)
05/10/2023	Corral solids	2,028.00 *ton*	Dry-weight	65.0		15,700.00	4,700.00	16,600.00		0.00
11/09/2023	Separator solids	1,599.00 *ton*	Dry-weight	65.1		16,300.00	4,100.00	4,500.00		0.00

No liquid nutrient exports entered.

Material type	Total N (lbs)	Total P (lbs)	Total K (lbs)	Total salt (lbs)
Dry manure	40,480.18	11,248.14	28,587.82	0.00
Process wastewater	0.00	0.00	0.00	0.00
Total exports for all materials	40,480.18	11,248.14	28,587.82	0.00

APPLICATION AREA

A. LIST OF LAND APPLICATION AREAS

Field name	Controlled acres	Cropable acres	Total harvests	Type of waste applied	Parcel number
Field 1	4	4	2	process wastewater	0014-0015-0002-0000
Field 2	11	11	2	process wastewater	0014-0004-0002-0000
Field 3	25	25	2	process wastewater	0014-0015-0002-0000
Field 4	29	29	2	process wastewater	0014-0015-0002-0000
Field 5	15	15	2	process wastewater	0014-0004-0002-0000
Field 6	29	29	2	process wastewater	0014-0004-0002-0000
Totals for areas that were used for application	113	113	12		
Totals for areas that were not used for application					
Land application area totals	113	113	12		

B. CROPS AND HARVESTS

Field 1

Field name: Field 1

11/04/2022: Oats, silage-soft dough

Crop: Oats, silage-soft dough Acres planted: 4 Plant date: 11/04/2022

Harvest date	Yield	Reporting basis	Density (lbs/cu ft)	Moisture (%)	N (mg/kg)	P (mg/kg)	K (mg/kg)	Salt (mg/kg)	TFS (%)
05/19/2023	68.40 *ton*	Dry-weight		68.7	13,600.00	3,000.00	29,300.00		8.40

	Yield (tons/acre)	Total N (lbs/acre)	Total P (lbs/acre)	Total K (lbs/acre)	Salt (lbs/acre)
Anticipated harvest content	16.00	160.00	25.60	132.80	0.00
Total actual harvest content	17.10	145.58	32.11	313.64	899.19

Field 1

06/03/2023: Corn, silage

Crop: Corn, silage Acres planted: 4 Plant date: 06/03/2023

Harvest date	Yield	Reporting basis	Density (lbs/cu ft)	Moisture (%)	N (mg/kg)	P (mg/kg)	K (mg/kg)	Salt (mg/kg)	TFS (%)
10/25/2023	114.00 *ton*	Dry-weight		67.1	9,900.00	3,200.00	13,100.00		5.90

	Yield (tons/acre)	Total N (lbs/acre)	Total P (lbs/acre)	Total K (lbs/acre)	Salt (lbs/acre)
Anticipated harvest content	30.00	240.00	45.00	198.00	0.00
Total actual harvest content	28.50	185.65	60.01	245.66	1,106.43

Field 2

Field name: Field 2

11/04/2022: Oats, silage-soft dough

Crop: Oats, silage-soft dough Acres planted: 11 Plant date: 11/04/2022

Harvest date	Yield	Reporting basis	Density (lbs/cu ft)	Moisture (%)	N (mg/kg)	P (mg/kg)	K (mg/kg)	Salt (mg/kg)	TFS (%)
05/19/2023	184.80 *ton*	Dry-weight		66.7	19,200.00	3,600.00	39,300.00		9.40

	Yield (tons/acre)	Total N (lbs/acre)	Total P (lbs/acre)	Total K (lbs/acre)	Salt (lbs/acre)
Anticipated harvest content	16.00	160.00	25.60	132.80	0.00
Total actual harvest content	16.80	214.82	40.28	439.72	1,051.75

06/03/2023: Corn, silage

Crop: Corn, silage Acres planted: 11 Plant date: 06/03/2023

Harvest date	Yield	Reporting basis	Density (lbs/cu ft)	Moisture (%)	N (mg/kg)	P (mg/kg)	K (mg/kg)	Salt (mg/kg)	TFS (%)
10/25/2023	341.00 *ton*	Dry-weight		70.3	12,400.00	3,300.00	19,400.00		7.10

	Yield (tons/acre)	Total N (lbs/acre)	Total P (lbs/acre)	Total K (lbs/acre)	Salt (lbs/acre)
Anticipated harvest content	30.00	240.00	45.00	198.00	0.00
Total actual harvest content	31.00	228.33	60.77	357.23	1,307.39

Field 3

Field name: Field 3

11/04/2022: Oats, silage-soft dough

Crop: Oats, silage-soft dough Acres planted: 25 Plant date: 11/04/2022

Harvest date	Yield	Reporting basis	Density (lbs/cu ft)	Moisture (%)	N (mg/kg)	P (mg/kg)	K (mg/kg)	Salt (mg/kg)	TFS (%)
05/19/2023	402.50 *ton*	Dry-weight		65.6	14,900.00	3,100.00	32,000.00		9.00

	Yield (tons/acre)	Total N (lbs/acre)	Total P (lbs/acre)	Total K (lbs/acre)	Salt (lbs/acre)
Anticipated harvest content	16.00	160.00	25.60	132.80	0.00
Total actual harvest content	16.10	165.04	34.34	354.46	996.91

06/03/2023: Corn, silage

Crop: Corn, silage Acres planted: 25 Plant date: 06/03/2023

Harvest date	Yield	Reporting basis	Density (lbs/cu ft)	Moisture (%)	N (mg/kg)	P (mg/kg)	K (mg/kg)	Salt (mg/kg)	TFS (%)
10/25/2023	770.00 *ton*	Dry-weight		70.3	12,400.00	3,300.00	19,400.00		7.10

	Yield (tons/acre)	Total N (lbs/acre)	Total P (lbs/acre)	Total K (lbs/acre)	Salt (lbs/acre)
Anticipated harvest content	30.00	240.00	45.00	198.00	0.00
Total actual harvest content	30.80	226.86	60.37	354.93	1,298.96

Field 4

Field name: Field 4

11/04/2022: Oats, silage-soft dough

Crop: Oats, silage-soft dough Acres planted: 29 Plant date: 11/04/2022

Harvest date	Yield	Reporting basis	Density (lbs/cu ft)	Moisture (%)	N (mg/kg)	P (mg/kg)	K (mg/kg)	Salt (mg/kg)	TFS (%)
05/19/2023	507.50 *ton*	Dry-weight		70.9	11,300.00	2,800.00	25,800.00		8.20

	Yield (tons/acre)	Total N (lbs/acre)	Total P (lbs/acre)	Total K (lbs/acre)	Salt (lbs/acre)
Anticipated harvest content	16.00	160.00	25.60	132.80	0.00
Total actual harvest content	17.50	115.09	28.52	262.77	835.17

Field 4

06/03/2023: Corn, silage

Crop: Corn, silage Acres planted: 29 Plant date: 06/03/2023

Harvest date	Yield	Reporting basis	Density (lbs/cu ft)	Moisture (%)	N (mg/kg)	P (mg/kg)	K (mg/kg)	Salt (mg/kg)	TFS (%)
10/25/2023	841.00 *ton*	Dry-weight		67.1	9,900.00	3,200.00	13,100.00		5.90

	Yield (tons/acre)	Total N (lbs/acre)	Total P (lbs/acre)	Total K (lbs/acre)	Salt (lbs/acre)
Anticipated harvest content	30.00	240.00	45.00	198.00	0.00
Total actual harvest content	29.00	188.91	61.06	249.97	1,125.84

Field 5

Field name: Field 5

11/04/2022: Oats, silage-soft dough

Crop: Oats, silage-soft dough Acres planted: 15 Plant date: 11/04/2022

Harvest date	Yield	Reporting basis	Density (lbs/cu ft)	Moisture (%)	N (mg/kg)	P (mg/kg)	K (mg/kg)	Salt (mg/kg)	TFS (%)
05/19/2023	258.00 *ton*	Dry-weight		69.0	14,300.00	2,900.00	27,900.00		8.30

	Yield (tons/acre)	Total N (lbs/acre)	Total P (lbs/acre)	Total K (lbs/acre)	Salt (lbs/acre)
Anticipated harvest content	16.00	160.00	25.60	132.80	0.00
Total actual harvest content	17.20	152.50	30.93	297.53	885.11

06/03/2023: Corn, silage

Crop: Corn, silage Acres planted: 15 Plant date: 06/03/2023

Harvest date	Yield	Reporting basis	Density (lbs/cu ft)	Moisture (%)	N (mg/kg)	P (mg/kg)	K (mg/kg)	Salt (mg/kg)	TFS (%)
10/25/2023	439.50 *ton*	Dry-weight		67.1	9,900.00	3,600.00	14,200.00		6.30

	Yield (tons/acre)	Total N (lbs/acre)	Total P (lbs/acre)	Total K (lbs/acre)	Salt (lbs/acre)
Anticipated harvest content	30.00	240.00	45.00	198.00	0.00
Total actual harvest content	29.30	190.87	69.41	273.77	1,214.60

Field 6

Field name: Field 6

11/04/2022: Oats, silage-soft dough

Crop: Oats, silage-soft dough Acres planted: 29 Plant date: 11/04/2022

Harvest date	Yield	Reporting basis	Density (lbs/cu ft)	Moisture (%)	N (mg/kg)	P (mg/kg)	K (mg/kg)	Salt (mg/kg)	TFS (%)
05/19/2023	510.40 *ton*	Dry-weight		70.8	13,700.00	3,100.00	30,800.00		8.90

	Yield (tons/acre)	Total N (lbs/acre)	Total P (lbs/acre)	Total K (lbs/acre)	Salt (lbs/acre)
Anticipated harvest content	16.00	160.00	25.60	132.80	0.00
Total actual harvest content	17.60	140.81	31.86	316.57	914.78

06/03/2023: Corn, silage

Crop: Corn, silage Acres planted: 29 Plant date: 06/03/2023

Harvest date	Yield	Reporting basis	Density (lbs/cu ft)	Moisture (%)	N (mg/kg)	P (mg/kg)	K (mg/kg)	Salt (mg/kg)	TFS (%)
10/25/2023	855.50 *ton*	Dry-weight		67.1	9,900.00	3,600.00	14,200.00		6.30

	Yield (tons/acre)	Total N (lbs/acre)	Total P (lbs/acre)	Total K (lbs/acre)	Salt (lbs/acre)
Anticipated harvest content	30.00	240.00	45.00	198.00	0.00
Total actual harvest content	29.50	192.17	69.88	275.64	1,222.89

NUTRIENT BUDGET

A. LAND APPLICATIONS

Field 1 - 11/04/2022: Oats, silage-soft dough

Field name: Field 1

Crop: Oats, silage-soft dough — Plant date: 11/04/2022

Application date	Application method	Precipitation 24 hours prior	Precipitation during application	Precipitation 24 hours following
10/04/2022	Surface (irrigation)	No precipitation	No precipitation	No precipitation

Source description	Material type	N (lbs/acre)	P (lbs/acre)	K (lbs/acre)	Salt (lbs/acre)	Amount
Lagoon	Process wastewater	117.45	18.48	182.58	981.01	130,619.00 *gal*
Canal	Surface water	0.00	0.00	0.00	0.00	977,700.00 *gal*
Application event totals		117.45	18.48	182.58	981.01	

Application date	Application method	Precipitation 24 hours prior	Precipitation during application	Precipitation 24 hours following
03/31/2023	Surface (irrigation)	No precipitation	No precipitation	No precipitation

Source description	Material type	N (lbs/acre)	P (lbs/acre)	K (lbs/acre)	Salt (lbs/acre)	Amount
Lagoon	Process wastewater	76.24	24.57	184.21	753.44	165,664.00 *gal*
Canal	Surface water	0.00	0.00	0.00	0.00	847,340.00 *gal*
Application event totals		76.24	24.57	184.21	753.44	

Field 1 - 06/03/2023: Corn, silage

Field name: Field 1

Crop: Corn, silage — Plant date: 06/03/2023

Application date	Application method	Precipitation 24 hours prior	Precipitation during application	Precipitation 24 hours following
06/06/2023	Surface (irrigation)	No precipitation	No precipitation	No precipitation

Source description	Material type	N (lbs/acre)	P (lbs/acre)	K (lbs/acre)	Salt (lbs/acre)	Amount
Lagoon	Process wastewater	80.16	23.73	131.00	528.39	95,575.00 *gal*
Canal	Surface water	0.00	0.00	0.00	0.00	749,570.00 *gal*
Application event totals		80.16	23.73	131.00	528.39	

Field 1 - 06/03/2023: Corn, silage

Application date	Application method	Precipitation 24 hours prior	Precipitation during application	Precipitation 24 hours following
07/01/2023	Surface (irrigation)	No precipitation	No precipitation	No precipitation

Source description	Material type	N (lbs/acre)	P (lbs/acre)	K (lbs/acre)	Salt (lbs/acre)	Amount
Canal	Surface water	0.00	0.00	0.00	0.00	814,750.00 *gal*
Application event totals		0.00	0.00	0.00	0.00	

Application date	Application method	Precipitation 24 hours prior	Precipitation during application	Precipitation 24 hours following
07/14/2023	Surface (irrigation)	No precipitation	No precipitation	No precipitation

Source description	Material type	N (lbs/acre)	P (lbs/acre)	K (lbs/acre)	Salt (lbs/acre)	Amount
Lagoon	Process wastewater	98.32	19.94	169.48	1,106.63	95,575.00 *gal*
Canal	Surface water	0.00	0.00	0.00	0.00	782,160.00 *gal*
Application event totals		98.32	19.94	169.48	1,106.63	

Application date	Application method	Precipitation 24 hours prior	Precipitation during application	Precipitation 24 hours following
08/01/2023	Surface (irrigation)	No precipitation	No precipitation	No precipitation

Source description	Material type	N (lbs/acre)	P (lbs/acre)	K (lbs/acre)	Salt (lbs/acre)	Amount
Canal	Surface water	0.00	0.00	0.00	0.00	651,800.00 *gal*
Application event totals		0.00	0.00	0.00	0.00	

Application date	Application method	Precipitation 24 hours prior	Precipitation during application	Precipitation 24 hours following
08/17/2023	Surface (irrigation)	No precipitation	No precipitation	No precipitation

Source description	Material type	N (lbs/acre)	P (lbs/acre)	K (lbs/acre)	Salt (lbs/acre)	Amount
Lagoon	Process wastewater	65.55	13.29	112.99	737.76	63,717.00 *gal*
Canal	Surface water	0.00	0.00	0.00	0.00	651,800.00 *gal*
Application event totals		65.55	13.29	112.99	737.76	

Application date	Application method	Precipitation 24 hours prior	Precipitation during application	Precipitation 24 hours following
09/06/2023	Surface (irrigation)	No precipitation	No precipitation	No precipitation

Source description	Material type	N (lbs/acre)	P (lbs/acre)	K (lbs/acre)	Salt (lbs/acre)	Amount
Canal	Surface water	0.00	0.00	0.00	0.00	749,570.00 *gal*
Application event totals		0.00	0.00	0.00	0.00	

Application date	Application method	Precipitation 24 hours prior	Precipitation during application	Precipitation 24 hours following
09/30/2023	Surface (irrigation)	No precipitation	No precipitation	No precipitation

Source description	Material type	N (lbs/acre)	P (lbs/acre)	K (lbs/acre)	Salt (lbs/acre)	Amount
Canal	Surface water	0.00	0.00	0.00	0.00	769,124.00 *gal*
Application event totals		0.00	0.00	0.00	0.00	

Field 2 - 11/04/2022: Oats, silage-soft dough

Field name: Field 2

Crop: Oats, silage-soft dough

Plant date: 11/04/2022

Application date	Application method	Precipitation 24 hours prior	Precipitation during application	Precipitation 24 hours following
10/04/2022	Surface (irrigation)	No precipitation	No precipitation	No precipitation

Source description	Material type	N (lbs/acre)	P (lbs/acre)	K (lbs/acre)	Salt (lbs/acre)	Amount
Lagoon	Process wastewater	117.45	18.48	182.58	981.02	359,204.00 *gal*
Canal	Surface water	0.00	0.00	0.00	0.00	2,688,675.00 *gal*
Application event totals		117.45	18.48	182.58	981.02	

Application date	Application method	Precipitation 24 hours prior	Precipitation during application	Precipitation 24 hours following
03/31/2023	Surface (irrigation)	No precipitation	No precipitation	No precipitation

Source description	Material type	N (lbs/acre)	P (lbs/acre)	K (lbs/acre)	Salt (lbs/acre)	Amount
Lagoon	Process wastewater	76.24	24.57	184.21	753.44	455,575.00 *gal*
Canal	Surface water	0.00	0.00	0.00	0.00	2,330,185.00 *gal*
Application event totals		76.24	24.57	184.21	753.44	

Field 2 - 06/03/2023: Corn, silage

Field name: Field 2

Crop: Corn, silage

Plant date: 06/03/2023

Application date	Application method	Precipitation 24 hours prior	Precipitation during application	Precipitation 24 hours following
06/06/2023	Surface (irrigation)	No precipitation	No precipitation	No precipitation

Source description	Material type	N (lbs/acre)	P (lbs/acre)	K (lbs/acre)	Salt (lbs/acre)	Amount
Lagoon	Process wastewater	80.16	23.73	131.00	528.39	262,832.00 *gal*
Canal	Surface water	0.00	0.00	0.00	0.00	2,061,318.00 *gal*
Application event totals		80.16	23.73	131.00	528.39	

Application date	Application method	Precipitation 24 hours prior	Precipitation during application	Precipitation 24 hours following
07/01/2023	Surface (irrigation)	No precipitation	No precipitation	No precipitation

Source description	Material type	N (lbs/acre)	P (lbs/acre)	K (lbs/acre)	Salt (lbs/acre)	Amount
Canal	Surface water	0.00	0.00	0.00	0.00	2,240,563.00 *gal*
Application event totals		0.00	0.00	0.00	0.00	

Field 2 - 06/03/2023: Corn, silage

Application date	Application method	Precipitation 24 hours prior	Precipitation during application	Precipitation 24 hours following
07/14/2023	Surface (irrigation)	No precipitation	No precipitation	No precipitation

Source description	Material type	N (lbs/acre)	P (lbs/acre)	K (lbs/acre)	Salt (lbs/acre)	Amount
Lagoon	Process wastewater	98.32	19.94	169.48	1,106.64	262,832.00 *gal*
Canal	Surface water	0.00	0.00	0.00	0.00	2,150,940.00 *gal*
Application event totals		98.32	19.94	169.48	1,106.64	

08/01/2023	Surface (irrigation)	No precipitation	No precipitation	No precipitation

Source description	Material type	N (lbs/acre)	P (lbs/acre)	K (lbs/acre)	Salt (lbs/acre)	Amount
Lagoon	Process wastewater	65.55	13.29	112.99	737.76	175,221.00 *gal*
Canal	Surface water	0.00	0.00	0.00	0.00	1,792,450.00 *gal*
Application event totals		65.55	13.29	112.99	737.76	

08/17/2023	Subsurface (irrigation)	No precipitation	No precipitation	No precipitation

Source description	Material type	N (lbs/acre)	P (lbs/acre)	K (lbs/acre)	Salt (lbs/acre)	Amount
Lagoon	Process wastewater	65.55	13.29	112.99	737.76	175,221.00 *gal*
Canal	Surface water	0.00	0.00	0.00	0.00	1,792,450.00 *gal*
Application event totals		65.55	13.29	112.99	737.76	

09/06/2023	Surface (irrigation)	No precipitation	No precipitation	No precipitation

Source description	Material type	N (lbs/acre)	P (lbs/acre)	K (lbs/acre)	Salt (lbs/acre)	Amount
Canal	Surface water	0.00	0.00	0.00	0.00	2,061,318.00 *gal*
Application event totals		0.00	0.00	0.00	0.00	

09/30/2023	Surface (irrigation)	No precipitation	No precipitation	No precipitation

Source description	Material type	N (lbs/acre)	P (lbs/acre)	K (lbs/acre)	Salt (lbs/acre)	Amount
Canal	Surface water	0.00	0.00	0.00	0.00	2,115,091.00 *gal*
Application event totals		0.00	0.00	0.00	0.00	

Field 3 - 11/04/2022: Oats, silage-soft dough

Field name: Field 3

Crop: Oats, silage-soft dough

Plant date: 11/04/2022

Field 3 - 11/04/2022: Oats, silage-soft dough

Application date	Application method	Precipitation 24 hours prior	Precipitation during application	Precipitation 24 hours following
10/04/2022	Surface (irrigation)	No precipitation	No precipitation	No precipitation

Source description	Material type	N (lbs/acre)	P (lbs/acre)	K (lbs/acre)	Salt (lbs/acre)	Amount
Lagoon	Process wastewater	117.45	18.48	182.58	981.02	816,372.00 *gal*
Canal	Surface water	0.00	0.00	0.00	0.00	6,049,519.00 *gal*
Application event totals		117.45	18.48	182.58	981.02	

Application date	Application method	Precipitation 24 hours prior	Precipitation during application	Precipitation 24 hours following
03/31/2023	Surface (irrigation)	No precipitation	No precipitation	No precipitation

Source description	Material type	N (lbs/acre)	P (lbs/acre)	K (lbs/acre)	Salt (lbs/acre)	Amount
Lagoon	Process wastewater	76.24	24.57	184.21	753.44	1,035,398.00 *gal*
Canal	Surface water	0.00	0.00	0.00	0.00	5,242,916.00 *gal*
Application event totals		76.24	24.57	184.21	753.44	

Field 3 - 06/03/2023: Corn, silage

Field name: Field 3

Crop: Corn, silage

Plant date: 06/03/2023

Application date	Application method	Precipitation 24 hours prior	Precipitation during application	Precipitation 24 hours following
06/06/2023	Surface (irrigation)	No precipitation	No precipitation	No precipitation

Source description	Material type	N (lbs/acre)	P (lbs/acre)	K (lbs/acre)	Salt (lbs/acre)	Amount
Lagoon	Process wastewater	80.16	23.73	131.00	528.39	597,345.00 *gal*
Canal	Surface water	0.00	0.00	0.00	0.00	4,637,964.00 *gal*
Application event totals		80.16	23.73	131.00	528.39	

Application date	Application method	Precipitation 24 hours prior	Precipitation during application	Precipitation 24 hours following
07/01/2023	Surface (irrigation)	No precipitation	No precipitation	No precipitation

Source description	Material type	N (lbs/acre)	P (lbs/acre)	K (lbs/acre)	Salt (lbs/acre)	Amount
Canal	Surface water	0.00	0.00	0.00	0.00	5,041,266.00 *gal*
Application event totals		0.00	0.00	0.00	0.00	

Field 3 - 06/03/2023: Corn, silage

Application date	Application method	Precipitation 24 hours prior	Precipitation during application	Precipitation 24 hours following
07/14/2023	Surface (irrigation)	No precipitation	No precipitation	No precipitation

Source description	Material type	N (lbs/acre)	P (lbs/acre)	K (lbs/acre)	Salt (lbs/acre)	Amount
Lagoon	Process wastewater	98.32	19.94	169.48	1,106.64	597,345.00 *gal*
Canal	Surface water	0.00	0.00	0.00	0.00	4,839,615.00 *gal*
Application event totals		98.32	19.94	169.48	1,106.64	

08/01/2023	Surface (irrigation)	No precipitation	No precipitation	No precipitation

Source description	Material type	N (lbs/acre)	P (lbs/acre)	K (lbs/acre)	Salt (lbs/acre)	Amount
Lagoon	Process wastewater	65.55	13.29	112.99	737.76	398,230.00 *gal*
Canal	Surface water	0.00	0.00	0.00	0.00	4,033,013.00 *gal*
Application event totals		65.55	13.29	112.99	737.76	

08/17/2023	Surface (irrigation)	No precipitation	No precipitation	No precipitation

Source description	Material type	N (lbs/acre)	P (lbs/acre)	K (lbs/acre)	Salt (lbs/acre)	Amount
Lagoon	Process wastewater	65.55	13.29	112.99	737.76	398,230.00 *gal*
Canal	Surface water	0.00	0.00	0.00	0.00	4,033,013.00 *gal*
Application event totals		65.55	13.29	112.99	737.76	

09/06/2023	Surface (irrigation)	No precipitation	No precipitation	No precipitation

Source description	Material type	N (lbs/acre)	P (lbs/acre)	K (lbs/acre)	Salt (lbs/acre)	Amount
Canal	Surface water	0.00	0.00	0.00	0.00	4,637,964.00 *gal*
Application event totals		0.00	0.00	0.00	0.00	

09/30/2023	Surface (irrigation)	No precipitation	No precipitation	No precipitation

Source description	Material type	N (lbs/acre)	P (lbs/acre)	K (lbs/acre)	Salt (lbs/acre)	Amount
Canal	Surface water	0.00	0.00	0.00	0.00	4,758,955.00 *gal*
Application event totals		0.00	0.00	0.00	0.00	

Field 4 - 11/04/2022: Oats, silage-soft dough

Field name: Field 4

Crop: Oats, silage-soft dough

Plant date: 11/04/2022

Field 4 - 11/04/2022: Oats, silage-soft dough

Application date	Application method	Precipitation 24 hours prior	Precipitation during application	Precipitation 24 hours following
10/04/2022	Surface (irrigation)	No precipitation	No precipitation	No precipitation

Source description	Material type	N (lbs/acre)	P (lbs/acre)	K (lbs/acre)	Salt (lbs/acre)	Amount
Lagoon	Process wastewater	88.80	13.97	138.05	741.75	716,018.00 *gal*
Canal	Surface water	0.00	0.00	0.00	0.00	7,259,423.00 *gal*
Application event totals		88.80	13.97	138.05	741.75	

Application date	Application method	Precipitation 24 hours prior	Precipitation during application	Precipitation 24 hours following
03/31/2023	Surface (irrigation)	No precipitation	No precipitation	No precipitation

Source description	Material type	N (lbs/acre)	P (lbs/acre)	K (lbs/acre)	Salt (lbs/acre)	Amount
Lagoon	Process wastewater	61.58	19.85	148.79	608.55	970,088.00 *gal*
Canal	Surface water	0.00	0.00	0.00	0.00	6,291,500.00 *gal*
Application event totals		61.58	19.85	148.79	608.55	

Field 4 - 06/03/2023: Corn, silage

Field name: Field 4

Crop: Corn, silage

Plant date: 06/03/2023

Application date	Application method	Precipitation 24 hours prior	Precipitation during application	Precipitation 24 hours following
06/06/2023	Surface (irrigation)	No precipitation	No precipitation	No precipitation

Source description	Material type	N (lbs/acre)	P (lbs/acre)	K (lbs/acre)	Salt (lbs/acre)	Amount
Lagoon	Process wastewater	80.16	23.73	131.00	528.39	692,920.00 *gal*
Canal	Surface water	0.00	0.00	0.00	0.00	5,565,557.00 *gal*
Application event totals		80.16	23.73	131.00	528.39	

Application date	Application method	Precipitation 24 hours prior	Precipitation during application	Precipitation 24 hours following
07/01/2023	Surface (irrigation)	No precipitation	No precipitation	No precipitation

Source description	Material type	N (lbs/acre)	P (lbs/acre)	K (lbs/acre)	Salt (lbs/acre)	Amount
Canal	Surface water	0.00	0.00	0.00	0.00	6,049,519.00 *gal*
Application event totals		0.00	0.00	0.00	0.00	

Field 4 - 06/03/2023: Corn, silage

Application date	Application method	Precipitation 24 hours prior	Precipitation during application	Precipitation 24 hours following
07/14/2023	Surface (irrigation)	No precipitation	No precipitation	No precipitation

Source description	Material type	N (lbs/acre)	P (lbs/acre)	K (lbs/acre)	Salt (lbs/acre)	Amount
Lagoon	Process wastewater	98.32	19.94	169.48	1,106.64	692,920.00 *gal*
Canal	Surface water	0.00	0.00	0.00	0.00	5,807,538.00 *gal*
Application event totals		98.32	19.94	169.48	1,106.64	

Application date	Application method	Precipitation 24 hours prior	Precipitation during application	Precipitation 24 hours following
08/01/2023	Surface (irrigation)	No precipitation	No precipitation	No precipitation

Source description	Material type	N (lbs/acre)	P (lbs/acre)	K (lbs/acre)	Salt (lbs/acre)	Amount
Lagoon	Process wastewater	65.55	13.29	112.99	737.76	461,947.00 *gal*
Canal	Surface water	0.00	0.00	0.00	0.00	4,839,615.00 *gal*
Application event totals		65.55	13.29	112.99	737.76	

Application date	Application method	Precipitation 24 hours prior	Precipitation during application	Precipitation 24 hours following
08/17/2023	Surface (irrigation)	No precipitation	No precipitation	No precipitation

Source description	Material type	N (lbs/acre)	P (lbs/acre)	K (lbs/acre)	Salt (lbs/acre)	Amount
Canal	Surface water	0.00	0.00	0.00	0.00	4,839,615.00 *gal*
Application event totals		0.00	0.00	0.00	0.00	

Application date	Application method	Precipitation 24 hours prior	Precipitation during application	Precipitation 24 hours following
09/06/2023	Surface (irrigation)	No precipitation	No precipitation	No precipitation

Source description	Material type	N (lbs/acre)	P (lbs/acre)	K (lbs/acre)	Salt (lbs/acre)	Amount
Canal	Surface water	0.00	0.00	0.00	0.00	5,565,557.00 *gal*
Application event totals		0.00	0.00	0.00	0.00	

Application date	Application method	Precipitation 24 hours prior	Precipitation during application	Precipitation 24 hours following
09/30/2023	Surface (irrigation)	No precipitation	No precipitation	No precipitation

Source description	Material type	N (lbs/acre)	P (lbs/acre)	K (lbs/acre)	Salt (lbs/acre)	Amount
Canal	Surface water	0.00	0.00	0.00	0.00	5,710,746.00 *gal*
Application event totals		0.00	0.00	0.00	0.00	

Field 5 - 11/04/2022: Oats, silage-soft dough

Field name: Field 5

Crop: Oats, silage-soft dough

Plant date: 11/04/2022

Field 5 - 11/04/2022: Oats, silage-soft dough

Application date	Application method	Precipitation 24 hours prior	Precipitation during application	Precipitation 24 hours following
10/04/2022	Surface (irrigation)	No precipitation	No precipitation	No precipitation

Source description	Material type	N (lbs/acre)	P (lbs/acre)	K (lbs/acre)	Salt (lbs/acre)	Amount
Lagoon	Process wastewater	117.45	18.48	182.58	981.02	489,823.00 *gal*
Canal	Surface water	0.00	0.00	0.00	0.00	3,774,900.00 *gal*
Application event totals		117.45	18.48	182.58	981.02	

Application date	Application method	Precipitation 24 hours prior	Precipitation during application	Precipitation 24 hours following
03/31/2023	Surface (irrigation)	No precipitation	No precipitation	No precipitation

Source description	Material type	N (lbs/acre)	P (lbs/acre)	K (lbs/acre)	Salt (lbs/acre)	Amount
Lagoon	Process wastewater	60.11	19.38	145.25	594.06	489,823.00 *gal*
Canal	Surface water	0.00	0.00	0.00	0.00	3,271,580.00 *gal*
Application event totals		60.11	19.38	145.25	594.06	

Field 5 - 06/03/2023: Corn, silage

Field name: Field 5

Crop: Corn, silage

Plant date: 06/03/2023

Application date	Application method	Precipitation 24 hours prior	Precipitation during application	Precipitation 24 hours following
06/06/2023	Surface (irrigation)	No precipitation	No precipitation	No precipitation

Source description	Material type	N (lbs/acre)	P (lbs/acre)	K (lbs/acre)	Salt (lbs/acre)	Amount
Lagoon	Process wastewater	80.16	23.73	131.00	528.39	358,407.00 *gal*
Canal	Surface water	0.00	0.00	0.00	0.00	2,894,090.00 *gal*
Application event totals		80.16	23.73	131.00	528.39	

Application date	Application method	Precipitation 24 hours prior	Precipitation during application	Precipitation 24 hours following
07/01/2023	Surface (irrigation)	No precipitation	No precipitation	No precipitation

Source description	Material type	N (lbs/acre)	P (lbs/acre)	K (lbs/acre)	Salt (lbs/acre)	Amount
Canal	Surface water	0.00	0.00	0.00	0.00	3,145,750.00 *gal*
Application event totals		0.00	0.00	0.00	0.00	

Field 5 - 06/03/2023: Corn, silage

Application date	Application method	Precipitation 24 hours prior	Precipitation during application	Precipitation 24 hours following
07/14/2023	Surface (irrigation)	No precipitation	No precipitation	No precipitation

Source description	Material type	N (lbs/acre)	P (lbs/acre)	K (lbs/acre)	Salt (lbs/acre)	Amount
Lagoon	Process wastewater	98.32	19.94	169.48	1,106.64	358,407.00 *gal*
Canal	Surface water	0.00	0.00	0.00	0.00	3,019,920.00 *gal*
Application event totals		98.32	19.94	169.48	1,106.64	

Application date	Application method	Precipitation 24 hours prior	Precipitation during application	Precipitation 24 hours following
08/01/2023	Surface (irrigation)	No precipitation	No precipitation	No precipitation

Source description	Material type	N (lbs/acre)	P (lbs/acre)	K (lbs/acre)	Salt (lbs/acre)	Amount
Canal	Surface water	0.00	0.00	0.00	0.00	2,516,600.00 *gal*
Application event totals		0.00	0.00	0.00	0.00	

Application date	Application method	Precipitation 24 hours prior	Precipitation during application	Precipitation 24 hours following
08/17/2023	Surface (irrigation)	No precipitation	No precipitation	No precipitation

Source description	Material type	N (lbs/acre)	P (lbs/acre)	K (lbs/acre)	Salt (lbs/acre)	Amount
Lagoon	Process wastewater	65.55	13.29	112.99	737.76	238,938.00 *gal*
Canal	Surface water	0.00	0.00	0.00	0.00	2,516,600.00 *gal*
Application event totals		65.55	13.29	112.99	737.76	

Application date	Application method	Precipitation 24 hours prior	Precipitation during application	Precipitation 24 hours following
09/06/2023	Surface (irrigation)	No precipitation	No precipitation	No precipitation

Source description	Material type	N (lbs/acre)	P (lbs/acre)	K (lbs/acre)	Salt (lbs/acre)	Amount
Canal	Surface water	0.00	0.00	0.00	0.00	2,894,090.00 *gal*
Application event totals		0.00	0.00	0.00	0.00	

Application date	Application method	Precipitation 24 hours prior	Precipitation during application	Precipitation 24 hours following
09/30/2023	Surface (irrigation)	No precipitation	No precipitation	No precipitation

Source description	Material type	N (lbs/acre)	P (lbs/acre)	K (lbs/acre)	Salt (lbs/acre)	Amount
Canal	Surface water	0.00	0.00	0.00	0.00	2,969,588.00 *gal*
Application event totals		0.00	0.00	0.00	0.00	

Field 6 - 11/04/2022: Oats, silage-soft dough

Field name: Field 6

Crop: Oats, silage-soft dough

Plant date: 11/04/2022

Field 6 - 11/04/2022: Oats, silage-soft dough

Application date	Application method	Precipitation 24 hours prior	Precipitation during application	Precipitation 24 hours following
10/04/2022	Surface (irrigation)	No precipitation	No precipitation	No precipitation

Source description	Material type	N (lbs/acre)	P (lbs/acre)	K (lbs/acre)	Salt (lbs/acre)	Amount
Lagoon	Process wastewater	117.45	18.48	182.58	981.02	946,991.00 *gal*
Canal	Surface water	0.00	0.00	0.00	0.00	7,259,423.00 *gal*
Application event totals		117.45	18.48	182.58	981.02	

Application date	Application method	Precipitation 24 hours prior	Precipitation during application	Precipitation 24 hours following
03/31/2023	Surface (irrigation)	No precipitation	No precipitation	No precipitation

Source description	Material type	N (lbs/acre)	P (lbs/acre)	K (lbs/acre)	Salt (lbs/acre)	Amount
Lagoon	Process wastewater	61.58	19.85	148.79	608.55	970,088.00 *gal*
Canal	Surface water	0.00	0.00	0.00	0.00	6,291,500.00 *gal*
Application event totals		61.58	19.85	148.79	608.55	

Field 6 - 06/03/2023: Corn, silage

Field name: Field 6

Crop: Corn, silage

Plant date: 06/03/2023

Application date	Application method	Precipitation 24 hours prior	Precipitation during application	Precipitation 24 hours following
06/06/2023	Surface (irrigation)	No precipitation	No precipitation	No precipitation

Source description	Material type	N (lbs/acre)	P (lbs/acre)	K (lbs/acre)	Salt (lbs/acre)	Amount
Lagoon	Process wastewater	80.16	23.73	131.00	528.39	692,920.00 *gal*
Canal	Surface water	0.00	0.00	0.00	0.00	5,565,557.00 *gal*
Application event totals		80.16	23.73	131.00	528.39	

Application date	Application method	Precipitation 24 hours prior	Precipitation during application	Precipitation 24 hours following
07/01/2023	Surface (irrigation)	No precipitation	No precipitation	No precipitation

Source description	Material type	N (lbs/acre)	P (lbs/acre)	K (lbs/acre)	Salt (lbs/acre)	Amount
Canal	Surface water	0.00	0.00	0.00	0.00	6,049,519.00 *gal*
Application event totals		0.00	0.00	0.00	0.00	

Field 6 - 06/03/2023: Corn, silage

Application date	Application method	Precipitation 24 hours prior	Precipitation during application	Precipitation 24 hours following
07/14/2023	Surface (irrigation)	No precipitation	No precipitation	No precipitation

Source description	Material type	N (lbs/acre)	P (lbs/acre)	K (lbs/acre)	Salt (lbs/acre)	Amount
Lagoon	Process wastewater	98.32	19.94	169.48	1,106.64	692,920.00 *gal*
Canal	Surface water	0.00	0.00	0.00	0.00	5,807,538.00 *gal*
Application event totals		98.32	19.94	169.48	1,106.64	

08/01/2023	Surface (irrigation)	No precipitation	No precipitation	No precipitation

Source description	Material type	N (lbs/acre)	P (lbs/acre)	K (lbs/acre)	Salt (lbs/acre)	Amount
Canal	Surface water	0.00	0.00	0.00	0.00	4,839,615.00 *gal*
Application event totals		0.00	0.00	0.00	0.00	

08/17/2023	Surface (irrigation)	No precipitation	No precipitation	No precipitation

Source description	Material type	N (lbs/acre)	P (lbs/acre)	K (lbs/acre)	Salt (lbs/acre)	Amount
Lagoon	Process wastewater	65.55	13.29	112.99	737.76	461,947.00 *gal*
Canal	Surface water	0.00	0.00	0.00	0.00	4,839,615.00 *gal*
Application event totals		65.55	13.29	112.99	737.76	

09/06/2023	Surface (irrigation)	No precipitation	No precipitation	No precipitation

Source description	Material type	N (lbs/acre)	P (lbs/acre)	K (lbs/acre)	Salt (lbs/acre)	Amount
Canal	Surface water	0.00	0.00	0.00	0.00	5,565,557.00 *gal*
Application event totals		0.00	0.00	0.00	0.00	

09/30/2023	Surface (irrigation)	No precipitation	No precipitation	No precipitation

Source description	Material type	N (lbs/acre)	P (lbs/acre)	K (lbs/acre)	Salt (lbs/acre)	Amount
Canal	Surface water	0.00	0.00	0.00	0.00	5,710,746.00 *gal*
Application event totals		0.00	0.00	0.00	0.00	

B. NUTRIENT BUDGET

Field 1 - 11/04/2022: Oats, silage-soft dough

Field name: Field 1 Crop: Oats, silage-soft dough Plant date: 11/04/2022

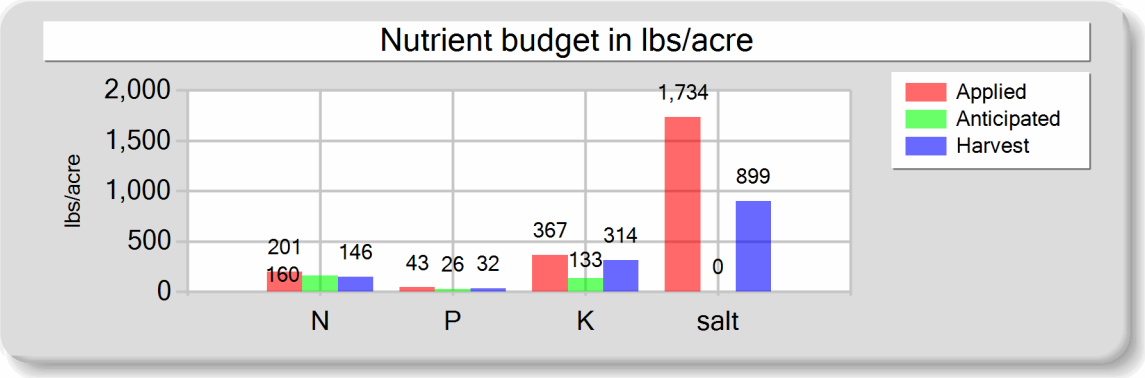

	Total N (lbs/acre)	Total P (lbs/acre)	Total K (lbs/acre)	Total salt (lbs/acre)
Existing soil nutrient content	0.00	0.00	0.00	0.00
Plowdown credit	0.00	0.00	0.00	0.00
Commercial fertilizer / Other	0.00	0.00	0.00	0.00
Dry manure	0.00	0.00	0.00	0.00
Process wastewater	193.69	43.05	366.79	1,734.46
Fresh water	0.00	0.00	0.00	0.00
Atmospheric deposition	7.00	0.00	0.00	0.00
Total nutrients applied	200.69	43.05	366.79	1,734.46
Anticipated crop nutrient removal	160.00	25.60	132.80	0.00
Actual crop nutrient removal	145.58	32.11	313.64	899.19
Nutrient balance	55.11	10.94	53.15	835.27
Applied to removed ratio	1.38	1.34	1.17	1.93

Fresh water applied	
1,825,040.00	*gallons*
67.21	*acre-inches*
16.80	*inches/acre*

Process wastewater applied	
296,283.00	*gallons*
10.91	*acre-inches*
2.73	*inches/acre*

Total harvests for the crop	
1	*harvests*

Field 1 - 06/03/2023: Corn, silage

Field name: Field 1 Crop: Corn, silage Plant date: 06/03/2023

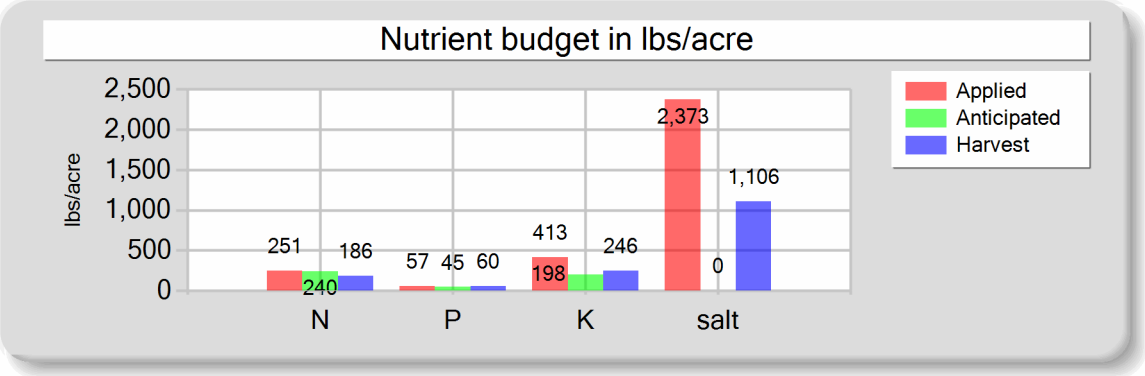

	Total N (lbs/acre)	Total P (lbs/acre)	Total K (lbs/acre)	Total salt (lbs/acre)
Existing soil nutrient content	0.00	0.00	0.00	0.00
Plowdown credit	0.00	0.00	0.00	0.00
Commercial fertilizer / Other	0.00	0.00	0.00	0.00
Dry manure	0.00	0.00	0.00	0.00
Process wastewater	244.02	56.96	413.48	2,372.78
Fresh water	0.00	0.00	0.00	0.00
Atmospheric deposition	7.00	0.00	0.00	0.00
Total nutrients applied	251.02	56.96	413.48	2,372.78
Anticipated crop nutrient removal	240.00	45.00	198.00	0.00
Actual crop nutrient removal	185.65	60.01	245.66	1,106.43
Nutrient balance	65.37	-3.05	167.81	1,266.36
Applied to removed ratio	1.35	0.95	1.68	2.14

Fresh water applied	
5,168,774.00	*gallons*
190.35	*acre-inches*
47.59	*inches/acre*

Process wastewater applied	
254,867.00	*gallons*
9.39	*acre-inches*
2.35	*inches/acre*

Total harvests for the crop	
1	*harvests*

Field 2 - 11/04/2022: Oats, silage-soft dough

Field name: Field 2 Crop: Oats, silage-soft dough Plant date: 11/04/2022

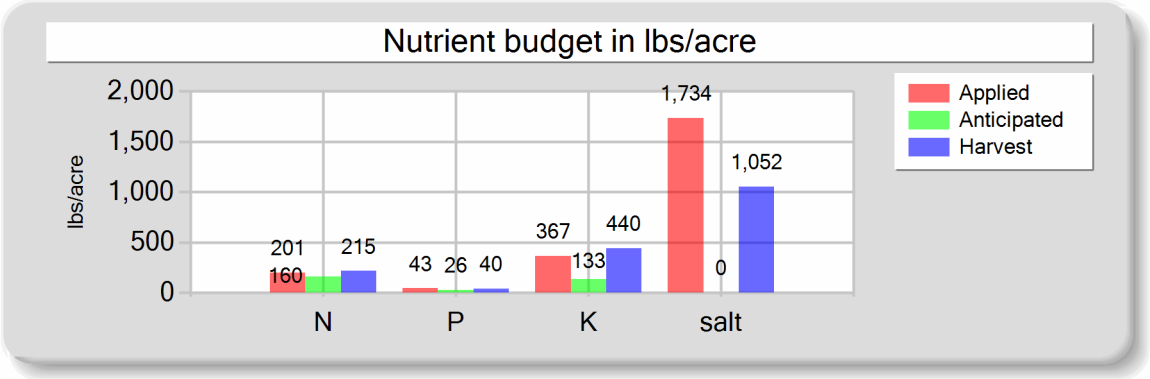

	Total N (lbs/acre)	Total P (lbs/acre)	Total K (lbs/acre)	Total salt (lbs/acre)
Existing soil nutrient content	0.00	0.00	0.00	0.00
Plowdown credit	0.00	0.00	0.00	0.00
Commercial fertilizer / Other	0.00	0.00	0.00	0.00
Dry manure	0.00	0.00	0.00	0.00
Process wastewater	193.69	43.05	366.79	1,734.46
Fresh water	0.00	0.00	0.00	0.00
Atmospheric deposition	7.00	0.00	0.00	0.00
Total nutrients applied	200.69	43.05	366.79	1,734.46
Anticipated crop nutrient removal	160.00	25.60	132.80	0.00
Actual crop nutrient removal	214.82	40.28	439.72	1,051.75
Nutrient balance	-14.13	2.77	-72.93	682.71
Applied to removed ratio	0.93	1.07	0.83	1.65

Fresh water applied	
5,018,860.00	*gallons*
184.83	*acre-inches*
16.80	*inches/acre*

Process wastewater applied	
814,779.00	*gallons*
30.01	*acre-inches*
2.73	*inches/acre*

Total harvests for the crop	
1	*harvests*

Field 2 - 06/03/2023: Corn, silage

Field name: Field 2 Crop: Corn, silage Plant date: 06/03/2023

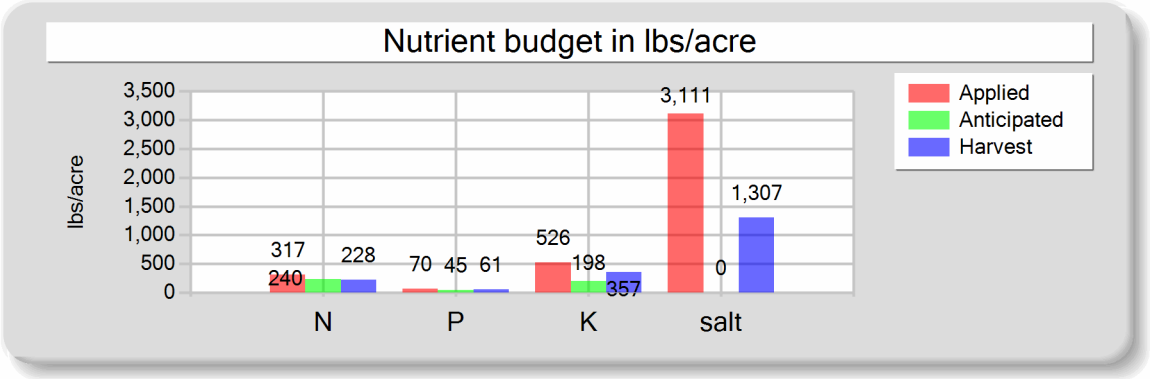

	Total N (lbs/acre)	Total P (lbs/acre)	Total K (lbs/acre)	Total salt (lbs/acre)
Existing soil nutrient content	0.00	0.00	0.00	0.00
Plowdown credit	0.00	0.00	0.00	0.00
Commercial fertilizer / Other	0.00	0.00	0.00	0.00
Dry manure	0.00	0.00	0.00	0.00
Process wastewater	309.57	70.25	526.47	3,110.54
Fresh water	0.00	0.00	0.00	0.00
Atmospheric deposition	7.00	0.00	0.00	0.00
Total nutrients applied	316.57	70.25	526.47	3,110.54
Anticipated crop nutrient removal	240.00	45.00	198.00	0.00
Actual crop nutrient removal	228.33	60.77	357.23	1,307.39
Nutrient balance	88.24	9.49	169.23	1,803.15
Applied to removed ratio	1.39	1.16	1.47	2.38

Fresh water applied	
14,214,130.00	*gallons*
523.46	*acre-inches*
47.59	*inches/acre*

Process wastewater applied	
876,106.00	*gallons*
32.26	*acre-inches*
2.93	*inches/acre*

Total harvests for the crop	
1	*harvests*

Field 3 - 11/04/2022: Oats, silage-soft dough

Field name: Field 3 Crop: Oats, silage-soft dough Plant date: 11/04/2022

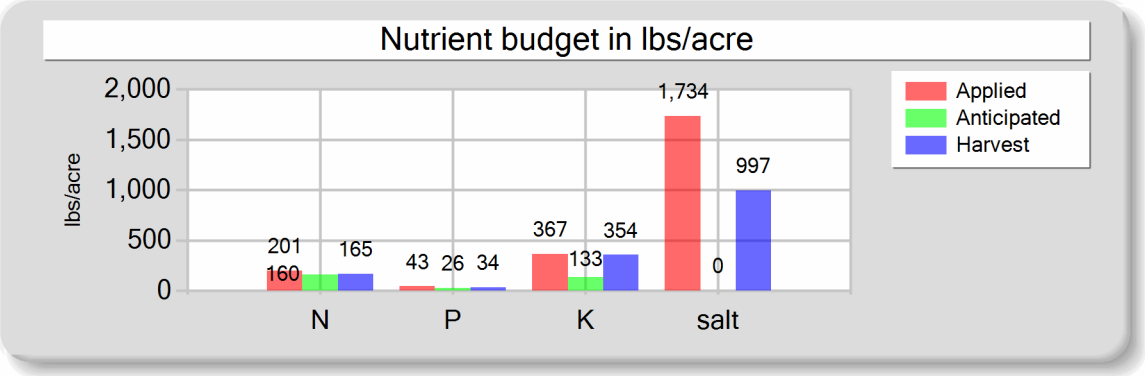

	Total N (lbs/acre)	Total P (lbs/acre)	Total K (lbs/acre)	Total salt (lbs/acre)
Existing soil nutrient content	0.00	0.00	0.00	0.00
Plowdown credit	0.00	0.00	0.00	0.00
Commercial fertilizer / Other	0.00	0.00	0.00	0.00
Dry manure	0.00	0.00	0.00	0.00
Process wastewater	193.69	43.05	366.79	1,734.46
Fresh water	0.00	0.00	0.00	0.00
Atmospheric deposition	7.00	0.00	0.00	0.00
Total nutrients applied	200.69	43.05	366.79	1,734.46
Anticipated crop nutrient removal	160.00	25.60	132.80	0.00
Actual crop nutrient removal	165.04	34.34	354.46	996.91
Nutrient balance	35.65	8.71	12.33	737.55
Applied to removed ratio	1.22	1.25	1.03	1.74

Fresh water applied	
11,292,435.00	*gallons*
415.86	*acre-inches*
16.63	*inches/acre*

Process wastewater applied	
1,851,770.00	*gallons*
68.19	*acre-inches*
2.73	*inches/acre*

Total harvests for the crop	
1	*harvests*

Field 3 - 06/03/2023: Corn, silage

Field name: Field 3 Crop: Corn, silage Plant date: 06/03/2023

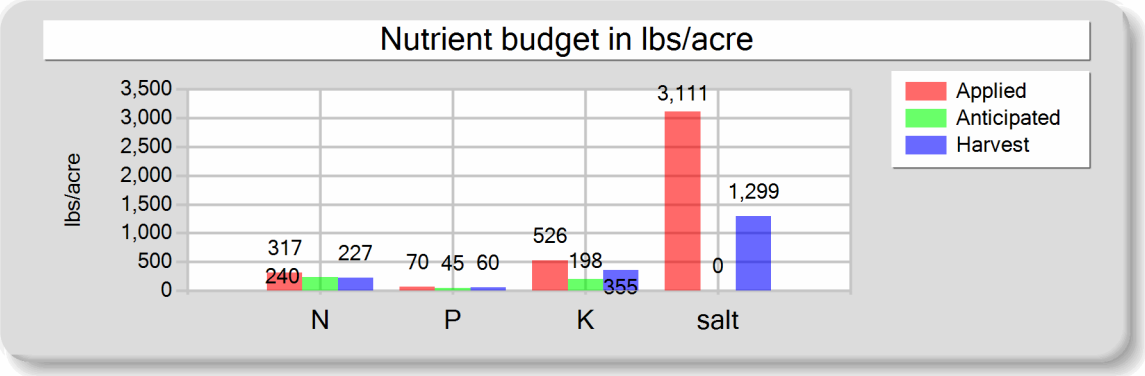

	Total N (lbs/acre)	Total P (lbs/acre)	Total K (lbs/acre)	Total salt (lbs/acre)
Existing soil nutrient content	0.00	0.00	0.00	0.00
Plowdown credit	0.00	0.00	0.00	0.00
Commercial fertilizer / Other	0.00	0.00	0.00	0.00
Dry manure	0.00	0.00	0.00	0.00
Process wastewater	309.57	70.25	526.47	3,110.54
Fresh water	0.00	0.00	0.00	0.00
Atmospheric deposition	7.00	0.00	0.00	0.00
Total nutrients applied	316.57	70.25	526.47	3,110.54
Anticipated crop nutrient removal	240.00	45.00	198.00	0.00
Actual crop nutrient removal	226.86	60.37	354.93	1,298.96
Nutrient balance	89.71	9.88	171.54	1,811.58
Applied to removed ratio	1.40	1.16	1.48	2.39

Fresh water applied	
31,981,790.00	*gallons*
1,177.78	*acre-inches*
47.11	*inches/acre*

Process wastewater applied	
1,991,150.00	*gallons*
73.33	*acre-inches*
2.93	*inches/acre*

Total harvests for the crop	
1	*harvests*

Field 4 - 11/04/2022: Oats, silage-soft dough

Field name: Field 4 Crop: Oats, silage-soft dough Plant date: 11/04/2022

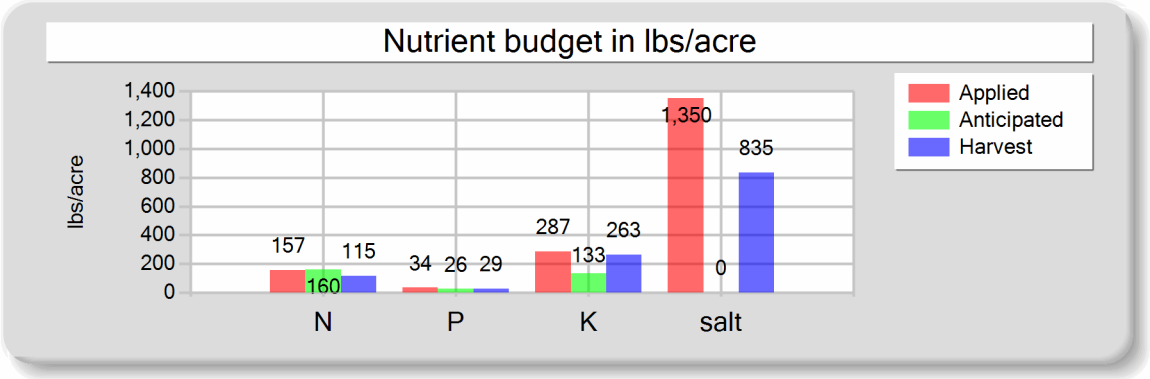

	Total N (lbs/acre)	Total P (lbs/acre)	Total K (lbs/acre)	Total salt (lbs/acre)
Existing soil nutrient content	0.00	0.00	0.00	0.00
Plowdown credit	0.00	0.00	0.00	0.00
Commercial fertilizer / Other	0.00	0.00	0.00	0.00
Dry manure	0.00	0.00	0.00	0.00
Process wastewater	150.38	33.82	286.83	1,350.29
Fresh water	0.00	0.00	0.00	0.00
Atmospheric deposition	7.00	0.00	0.00	0.00
Total nutrients applied	157.38	33.82	286.83	1,350.29
Anticipated crop nutrient removal	160.00	25.60	132.80	0.00
Actual crop nutrient removal	115.09	28.52	262.77	835.17
Nutrient balance	42.29	5.30	24.06	515.12
Applied to removed ratio	1.37	1.19	1.09	1.62

Fresh water applied	
13,550,923.00	*gallons*
499.03	*acre-inches*
17.21	*inches/acre*

Process wastewater applied	
1,686,106.00	*gallons*
62.09	*acre-inches*
2.14	*inches/acre*

Total harvests for the crop	
1	*harvests*

Field 4 - 06/03/2023: Corn, silage

Field name: Field 4 Crop: Corn, silage Plant date: 06/03/2023

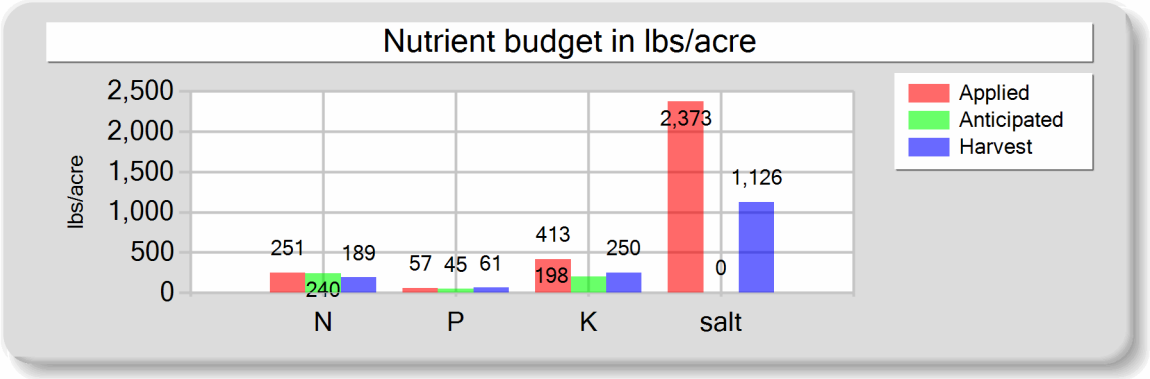

	Total N (lbs/acre)	Total P (lbs/acre)	Total K (lbs/acre)	Total salt (lbs/acre)
Existing soil nutrient content	0.00	0.00	0.00	0.00
Plowdown credit	0.00	0.00	0.00	0.00
Commercial fertilizer / Other	0.00	0.00	0.00	0.00
Dry manure	0.00	0.00	0.00	0.00
Process wastewater	244.02	56.96	413.48	2,372.79
Fresh water	0.00	0.00	0.00	0.00
Atmospheric deposition	7.00	0.00	0.00	0.00
Total nutrients applied	251.02	56.96	413.48	2,372.79
Anticipated crop nutrient removal	240.00	45.00	198.00	0.00
Actual crop nutrient removal	188.91	61.06	249.97	1,125.84
Nutrient balance	62.11	-4.10	163.50	1,246.95
Applied to removed ratio	1.33	0.93	1.65	2.11

Fresh water applied	
38,378,147.00	*gallons*
1,413.34	*acre-inches*
48.74	*inches/acre*

Process wastewater applied	
1,847,787.00	*gallons*
68.05	*acre-inches*
2.35	*inches/acre*

Total harvests for the crop	
1	*harvests*

Field 5 - 11/04/2022: Oats, silage-soft dough

Field name: Field 5 Crop: Oats, silage-soft dough Plant date: 11/04/2022

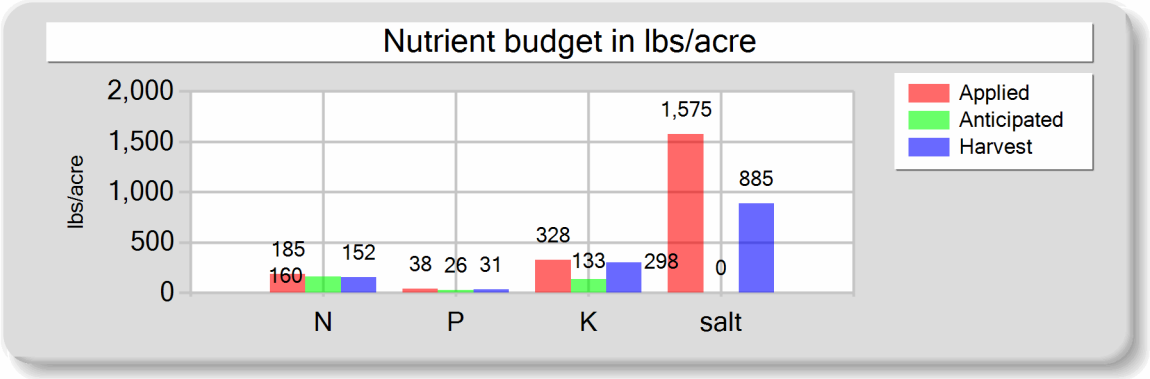

	Total N (lbs/acre)	Total P (lbs/acre)	Total K (lbs/acre)	Total salt (lbs/acre)
Existing soil nutrient content	0.00	0.00	0.00	0.00
Plowdown credit	0.00	0.00	0.00	0.00
Commercial fertilizer / Other	0.00	0.00	0.00	0.00
Dry manure	0.00	0.00	0.00	0.00
Process wastewater	177.56	37.85	327.82	1,575.08
Fresh water	0.00	0.00	0.00	0.00
Atmospheric deposition	7.00	0.00	0.00	0.00
Total nutrients applied	184.56	37.85	327.82	1,575.08
Anticipated crop nutrient removal	160.00	25.60	132.80	0.00
Actual crop nutrient removal	152.50	30.93	297.53	885.11
Nutrient balance	32.07	6.93	30.30	689.97
Applied to removed ratio	1.21	1.22	1.10	1.78

Fresh water applied	
7,046,480.00	*gallons*
259.50	*acre-inches*
17.30	*inches/acre*

Process wastewater applied	
979,646.00	*gallons*
36.08	*acre-inches*
2.41	*inches/acre*

Total harvests for the crop	
1	*harvests*

Field 5 - 06/03/2023: Corn, silage

Field name: Field 5 Crop: Corn, silage Plant date: 06/03/2023

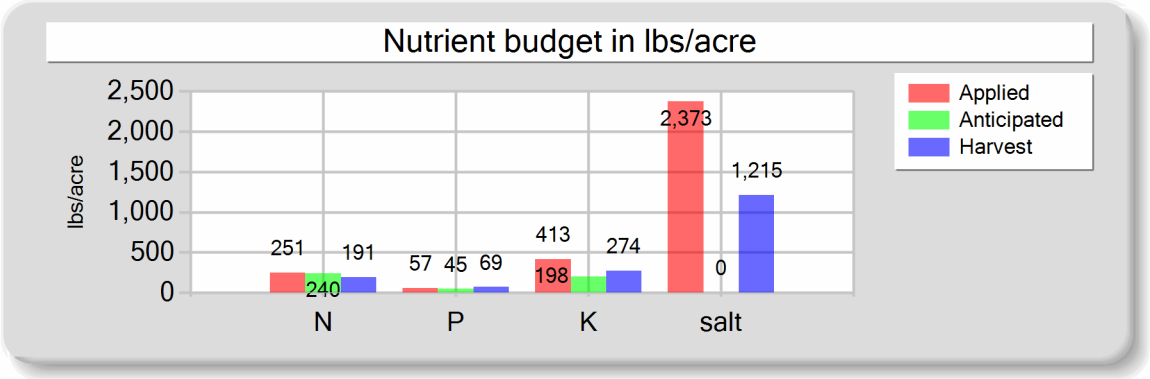

	Total N (lbs/acre)	Total P (lbs/acre)	Total K (lbs/acre)	Total salt (lbs/acre)
Existing soil nutrient content	0.00	0.00	0.00	0.00
Plowdown credit	0.00	0.00	0.00	0.00
Commercial fertilizer / Other	0.00	0.00	0.00	0.00
Dry manure	0.00	0.00	0.00	0.00
Process wastewater	244.02	56.96	413.48	2,372.79
Fresh water	0.00	0.00	0.00	0.00
Atmospheric deposition	7.00	0.00	0.00	0.00
Total nutrients applied	251.02	56.96	413.48	2,372.79
Anticipated crop nutrient removal	240.00	45.00	198.00	0.00
Actual crop nutrient removal	190.87	69.41	273.77	1,214.60
Nutrient balance	60.16	-12.45	139.71	1,158.18
Applied to removed ratio	1.32	0.82	1.51	1.95

Fresh water applied	
19,956,638.00	*gallons*
734.94	*acre-inches*
49.00	*inches/acre*

Process wastewater applied	
955,752.00	*gallons*
35.20	*acre-inches*
2.35	*inches/acre*

Total harvests for the crop	
1	*harvests*

Field 6 - 11/04/2022: Oats, silage-soft dough

Field name: Field 6 Crop: Oats, silage-soft dough Plant date: 11/04/2022

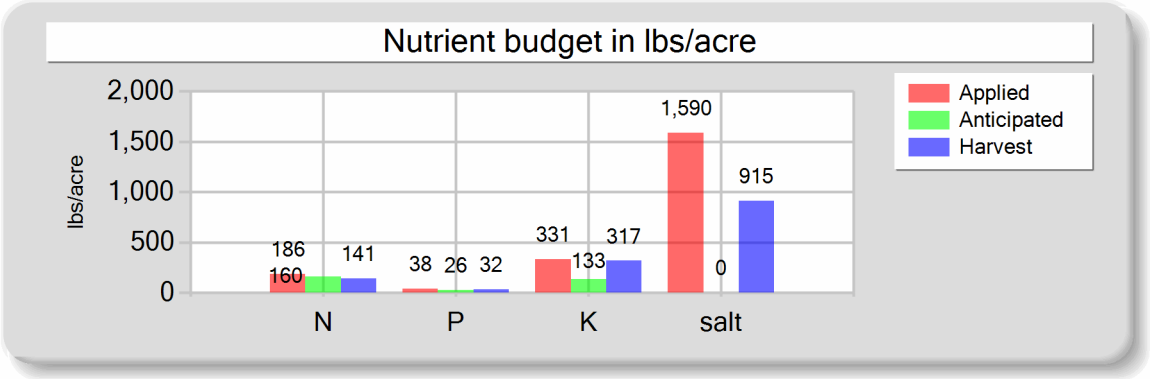

	Total N (lbs/acre)	Total P (lbs/acre)	Total K (lbs/acre)	Total salt (lbs/acre)
Existing soil nutrient content	0.00	0.00	0.00	0.00
Plowdown credit	0.00	0.00	0.00	0.00
Commercial fertilizer / Other	0.00	0.00	0.00	0.00
Dry manure	0.00	0.00	0.00	0.00
Process wastewater	179.03	38.32	331.37	1,589.57
Fresh water	0.00	0.00	0.00	0.00
Atmospheric deposition	7.00	0.00	0.00	0.00
Total nutrients applied	186.03	38.32	331.37	1,589.57
Anticipated crop nutrient removal	160.00	25.60	132.80	0.00
Actual crop nutrient removal	140.81	31.86	316.57	914.78
Nutrient balance	45.22	6.46	14.79	674.79
Applied to removed ratio	1.32	1.20	1.05	1.74

Fresh water applied	
13,550,923.00	*gallons*
499.03	*acre-inches*
17.21	*inches/acre*

Process wastewater applied	
1,917,079.00	*gallons*
70.60	*acre-inches*
2.43	*inches/acre*

Total harvests for the crop	
1	*harvests*

Field 6 - 06/03/2023: Corn, silage

Field name: Field 6 Crop: Corn, silage Plant date: 06/03/2023

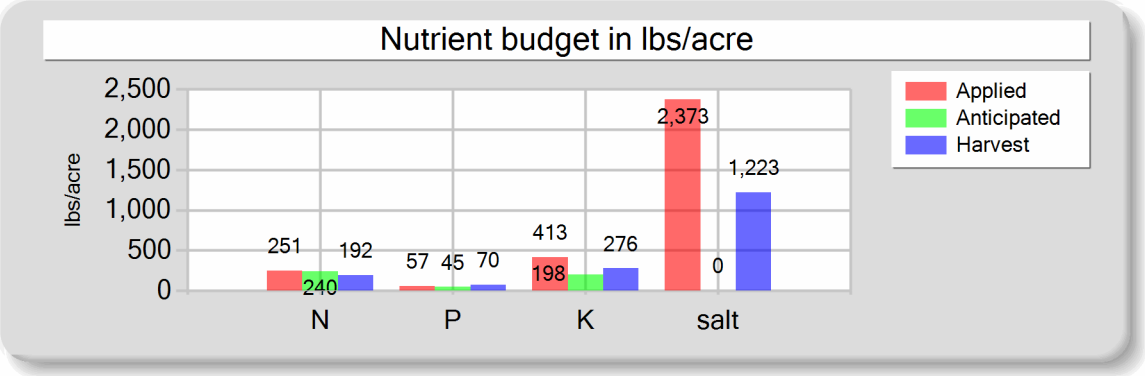

	Total N (lbs/acre)	Total P (lbs/acre)	Total K (lbs/acre)	Total salt (lbs/acre)
Existing soil nutrient content	0.00	0.00	0.00	0.00
Plowdown credit	0.00	0.00	0.00	0.00
Commercial fertilizer / Other	0.00	0.00	0.00	0.00
Dry manure	0.00	0.00	0.00	0.00
Process wastewater	244.02	56.96	413.48	2,372.79
Fresh water	0.00	0.00	0.00	0.00
Atmospheric deposition	7.00	0.00	0.00	0.00
Total nutrients applied	251.02	56.96	413.48	2,372.79
Anticipated crop nutrient removal	240.00	45.00	198.00	0.00
Actual crop nutrient removal	192.17	69.88	275.64	1,222.89
Nutrient balance	58.86	-12.92	137.84	1,149.89
Applied to removed ratio	1.31	0.82	1.50	1.94

Fresh water applied	
38,378,147.00	*gallons*
1,413.34	*acre-inches*
48.74	*inches/acre*

Process wastewater applied	
1,847,787.00	*gallons*
68.05	*acre-inches*
2.35	*inches/acre*

Total harvests for the crop	
1	*harvests*

NUTRIENT ANALYSES

A. MANURE ANALYSES

Corral Manure

Sample and source description: Corral Manure

Sample date: 05/10/2023 Material type: Corral solids Source of analysis: Lab analysis Method of reporting: Dry-weight

Moisture: 65.0 %

	Total N (mg/kg)	Total P (mg/kg)	Total K (mg/kg)	Calcium (mg/kg)	Magnesium (mg/kg)	Sodium (mg/kg)	Sulfur (mg/kg)	Chloride (mg/kg)	Total salt (mg/kg)	TFS (%)
Value	15,700.00	4,700.00	16,600.00							0.00
DL	0.01	0.01	0.01							1.00

Separator Manure

Sample and source description: Separator Manure

Sample date: 11/09/2023 Material type: Separator solids Source of analysis: Lab analysis Method of reporting: Dry-weight

Moisture: 65.1 %

	Total N (mg/kg)	Total P (mg/kg)	Total K (mg/kg)	Calcium (mg/kg)	Magnesium (mg/kg)	Sodium (mg/kg)	Sulfur (mg/kg)	Chloride (mg/kg)	Total salt (mg/kg)	TFS (%)
Value	16,300.00	4,100.00	4,500.00							0.00
DL	0.01	0.01	0.01							1.00

B. PROCESS WASTEWATER ANALYSES

Lagoon Q1

Sample and source description: Lagoon Q1

Sample date: 03/30/2023 Material type: Process wastewater Source of analysis: Lab analysis pH: 7.80

	Kjeldahl-N (mg/L)	NH4-N (mg/L)	NH3-N (mg/L)	Nitrate-N (mg/L)	Total P (mg/L)	Total K (mg/L)	Calcium (mg/L)	Magnes. (mg/L)	Sodium (mg/L)	Bicarb. (mg/L)	Carb. (mg/L)	Sulfate (mg/L)	Chloride (mg/L)	EC (µmhos/cm)	TDS (mg/L)
Value	220.00	202.00	0.00	0.60	71.10	533.00								4,310.00	2,180
DL	0.01	0.01	0.01	0.01	0.01	0.01								10.00	1

Lagoon Q2

Sample and source description: Lagoon Q2

Sample date: 05/10/2023 Material type: Process wastewater Source of analysis: Lab analysis pH: 7.50

	Kjeldahl-N (mg/L)	NH4-N (mg/L)	NH3-N (mg/L)	Nitrate-N (mg/L)	Total P (mg/L)	Total K (mg/L)	Calcium (mg/L)	Magnes. (mg/L)	Sodium (mg/L)	Bicarb. (mg/L)	Carb. (mg/L)	Sulfate (mg/L)	Chloride (mg/L)	EC (µmhos/cm)	TDS (mg/L)
Value	401.00	224.00	0.00	1.00	119.00	657.00								5,240.00	2,650
DL	0.01	0.01	0.01	0.01	0.01	0.01								10.00	1

Lagoon Q3

Sample and source description: Lagoon Q3

Sample date: 07/26/2023 Material type: Process wastewater Source of analysis: Lab analysis pH: 7.60

	Kjeldahl-N (mg/L)	NH4-N (mg/L)	NH3-N (mg/L)	Nitrate-N (mg/L)	Total P (mg/L)	Total K (mg/L)	Calcium (mg/L)	Magnes. (mg/L)	Sodium (mg/L)	Bicarb. (mg/L)	Carb. (mg/L)	Sulfate (mg/L)	Chloride (mg/L)	EC (µmhos/cm)	TDS (mg/L)
Value	492.00	325.00	0.00	1.10	100.00	850.00								6,690.00	5,550
DL	0.01	0.01	0.01	0.01	0.01	0.01								10.00	1

Lagoon Q4

Sample and source description: Lagoon Q4

Sample date: 11/06/2023 Material type: Process wastewater Source of analysis: Lab analysis pH: 7.60

	Kjeldahl-N (mg/L)	NH4-N (mg/L)	NH3-N (mg/L)	Nitrate-N (mg/L)	Total P (mg/L)	Total K (mg/L)	Calcium (mg/L)	Magnes. (mg/L)	Sodium (mg/L)	Bicarb. (mg/L)	Carb. (mg/L)	Sulfate (mg/L)	Chloride (mg/L)	EC (µmhos/cm)	TDS (mg/L)
Value	431.00	283.00	0.00	0.00	67.80	670.00								6,200.00	3,600
DL	0.01	0.01	0.01	0.01	0.01	0.01								10.00	1

C. FRESH WATER ANALYSES

Canal

Canal

MID Canal

Sample description: MID Canal

Sample date: 09/19/2023 Source of analysis: Lab analysis

	Total N (mg/L)	NH4-N (mg/L)	Nitrate-N (mg/L)	Calcium (mg/L)	Magnesium (mg/L)	Sodium (mg/L)	Bicarbonate (mg/L)	Carbonate (mg/L)	Sulfate (mg/L)	Chloride (mg/L)	EC (µmhos/cm)	TDS (mg/L)
Value	0.00	0.00	0.00								30.00	
DL	0.01	0.01	0.01								1.00	

Domestic Well

DW Feed Area

Sample description: DW Feed Area

Sample date: 12/06/2023 Source of analysis: Lab analysis

	Total N (mg/L)	NH4-N (mg/L)	Nitrate-N (mg/L)	Calcium (mg/L)	Magnesium (mg/L)	Sodium (mg/L)	Bicarbonate (mg/L)	Carbonate (mg/L)	Sulfate (mg/L)	Chloride (mg/L)	EC (µmhos/cm)	TDS (mg/L)
Value	3.30	0.00	3.30								479.00	0
DL	0.01	0.01	0.01								10.00	1

DW MB

Sample description: DW MB

Sample date: 12/06/2023 Source of analysis: Lab analysis

	Total N (mg/L)	NH4-N (mg/L)	Nitrate-N (mg/L)	Calcium (mg/L)	Magnesium (mg/L)	Sodium (mg/L)	Bicarbonate (mg/L)	Carbonate (mg/L)	Sulfate (mg/L)	Chloride (mg/L)	EC (µmhos/cm)	TDS (mg/L)
Value	3.30	0.00	3.30								481.00	0
DL	0.01	0.01	0.01								10.00	1

D. SOIL ANALYSES

No soil analyses entered.

E. PLANT TISSUE ANALYSES

Field 1 - 11/04/2022: Oats, silage-soft dough

Field 1 Oats

Sample and source description: Field 1 Oats

Sample date: 05/19/2023 Source of analysis: Lab analysis Method of reporting: Dry-weight

Moisture: 68.7 %

	Total N (mg/kg)	Total P (mg/kg)	Total K (mg/kg)	Total salt (mg/kg)	TFS (%)
Value	13,600.00	3,000.00	29,300.00		8.40
DL	0.01	0.01	0.01		1.00

Field 1 - 06/03/2023: Corn, silage

Daves Corn

Sample and source description: Daves Corn

Sample date: 11/09/2023 Source of analysis: Lab analysis Method of reporting: Dry-weight

Moisture: 67.1 %

	Total N (mg/kg)	Total P (mg/kg)	Total K (mg/kg)	Total salt (mg/kg)	TFS (%)
Value	9,900.00	3,200.00	13,100.00		5.90
DL	0.01	0.01	0.01		1.00

Field 2 - 11/04/2022: Oats, silage-soft dough

Field 2 Oats

Sample and source description: Field 2 Oats

Sample date: 05/19/2023 Source of analysis: Lab analysis Method of reporting: Dry-weight

Moisture: 66.7 %

	Total N (mg/kg)	Total P (mg/kg)	Total K (mg/kg)	Total salt (mg/kg)	TFS (%)
Value	19,200.00	3,600.00	39,300.00		9.40
DL	0.01	0.01	0.01		1.00

Field 2 - 06/03/2023: Corn, silage

Hay Barn Corn

Sample and source description: Hay Barn Corn

Sample date: 11/09/2023 Source of analysis: Lab analysis Method of reporting: Dry-weight

Moisture: 70.3 %

	Total N (mg/kg)	Total P (mg/kg)	Total K (mg/kg)	Total salt (mg/kg)	TFS (%)
Value	12,400.00	3,300.00	19,400.00		7.10
DL	0.01	0.01	0.01		1.00

Field 3 - 11/04/2022: Oats, silage-soft dough

Field 3 Oats

Sample and source description: Field 3 Oats

Sample date: 05/19/2023 Source of analysis: Lab analysis Method of reporting: Dry-weight

Moisture: 65.6 %

	Total N (mg/kg)	Total P (mg/kg)	Total K (mg/kg)	Total salt (mg/kg)	TFS (%)
Value	14,900.00	3,100.00	32,000.00		9.00
DL	0.01	0.01	0.01		1.00

Field 3 - 06/03/2023: Corn, silage

Hay Barn Corn

Sample and source description: Hay Barn Corn

Sample date: 11/09/2023 Source of analysis: Lab analysis Method of reporting: Dry-weight

Moisture: 70.3 %

	Total N (mg/kg)	Total P (mg/kg)	Total K (mg/kg)	Total salt (mg/kg)	TFS (%)
Value	12,400.00	3,300.00	19,400.00		7.10
DL	0.01	0.01	0.01		1.00

Field 4 - 11/04/2022: Oats, silage-soft dough

Field 4 Oats

Sample and source description: Field 4 Oats

Sample date: 05/19/2023 Source of analysis: Lab analysis Method of reporting: Dry-weight

Moisture: 70.9 %

	Total N (mg/kg)	Total P (mg/kg)	Total K (mg/kg)	Total salt (mg/kg)	TFS (%)
Value	11,300.00	2,800.00	25,800.00		8.20
DL	0.01	0.01	0.01		1.00

Field 4 - 06/03/2023: Corn, silage

Daves Corn

Sample and source description: Daves Corn

Sample date: 11/09/2023 Source of analysis: Lab analysis Method of reporting: Dry-weight

Moisture: 67.1 %

	Total N (mg/kg)	Total P (mg/kg)	Total K (mg/kg)	Total salt (mg/kg)	TFS (%)
Value	9,900.00	3,200.00	13,100.00		5.90
DL	0.01	0.01	0.01		1.00

Field 5 - 11/04/2022: Oats, silage-soft dough

Field 5 Oats

Sample and source description: Field 5 Oats

Sample date: 05/19/2023 Source of analysis: Lab analysis Method of reporting: Dry-weight

Moisture: 69.0 %

	Total N (mg/kg)	Total P (mg/kg)	Total K (mg/kg)	Total salt (mg/kg)	TFS (%)
Value	14,300.00	2,900.00	27,900.00		8.30
DL	0.01	0.01	0.01		1.00

Field 5 - 06/03/2023: Corn, silage

Albers + Trees Corn

Sample and source description: Albers + Trees Corn

Sample date: 11/09/2023 Source of analysis: Lab analysis Method of reporting: Dry-weight

Moisture: 67.1 %

	Total N (mg/kg)	Total P (mg/kg)	Total K (mg/kg)	Total salt (mg/kg)	TFS (%)
Value	9,900.00	3,600.00	14,200.00		6.30
DL	0.01	0.01	0.01		1.00

Field 6 - 11/04/2022: Oats, silage-soft dough

Field 6 Oats

Sample and source description: Field 6 Oats

Sample date: 05/19/2023 Source of analysis: Lab analysis Method of reporting: Dry-weight

Moisture: 70.8 %

	Total N (mg/kg)	Total P (mg/kg)	Total K (mg/kg)	Total salt (mg/kg)	TFS (%)
Value	13,700.00	3,100.00	30,800.00		8.90
DL	0.01	0.01	0.01		1.00

Field 6 - 06/03/2023: Corn, silage

Albers + Trees Corn

Sample and source description: Albers + Trees Corn

Sample date: 11/09/2023 Source of analysis: Lab analysis Method of reporting: Dry-weight

Moisture: 67.1 %

	Total N (mg/kg)	Total P (mg/kg)	Total K (mg/kg)	Total salt (mg/kg)	TFS (%)
Value	9,900.00	3,600.00	14,200.00		6.30
DL	0.01	0.01	0.01		1.00

F. SUBSURFACE (TILE) DRAINAGE ANALYSES

No subsurface (tile) drainage analyses entered.

NUTRIENT APPLICATIONS, POTENTIAL REMOVAL, AND BALANCE

A. SUMMARY OF NUTRIENT APPLICATIONS, POTENTIAL REMOVAL, AND BALANCE

	Total N (lbs)	Total P (lbs)	Total K (lbs)	Total salt (lbs)
Existing soil nutrient content	0.00	0.00	0.00	0.00
Plowdown credit	0.00	0.00	0.00	0.00
Commercial fertilizer / Other	0.00	0.00	0.00	0.00
Dry manure	0.00	0.00	0.00	0.00
Process wastewater	49,898.68	11,296.85	88,307.27	472,944.60
Fresh water	0.00	0.00	0.00	0.00
Atmospheric deposition	1,582.00	0.00	0.00	0.00
Total nutrients applied	51,480.68	11,296.85	88,307.27	472,944.60
Anticipated crop nutrient removal	45,200.00	7,977.80	37,380.40	0.00
Actual crop nutrient removal	39,620.31	10,901.14	69,351.50	241,727.18
Nutrient balance	11,860.37	395.71	18,955.77	231,217.42
Applied to removed ratio	1.30	1.04	1.27	1.96

B. POUNDS OF NUTRIENT APPLIED VS. CROP REMOVAL

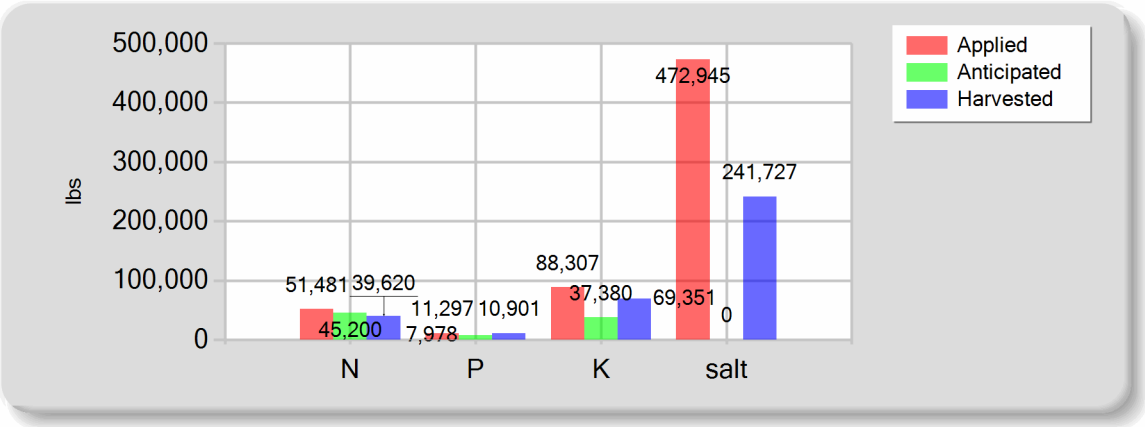

C. POUNDS OF NUTRIENT APPLIED BY MATERIAL TYPE

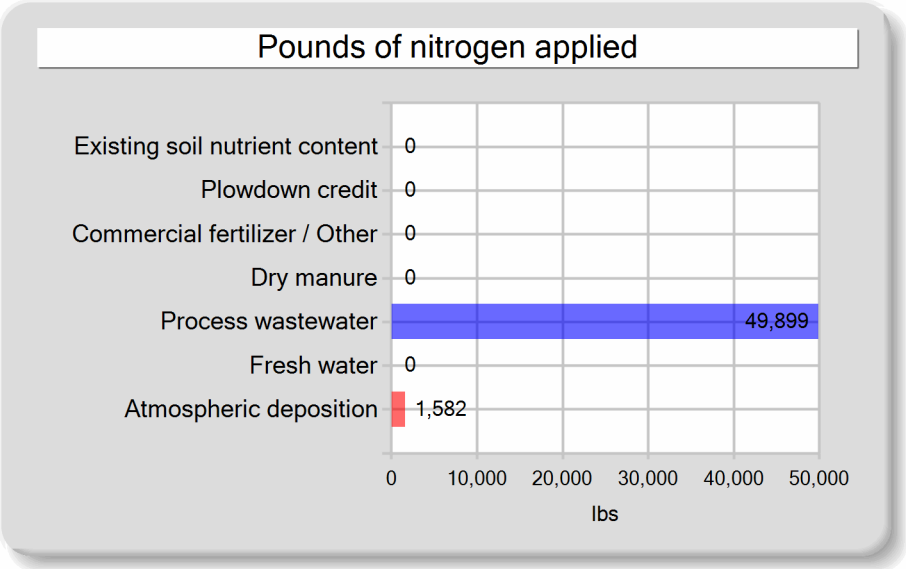

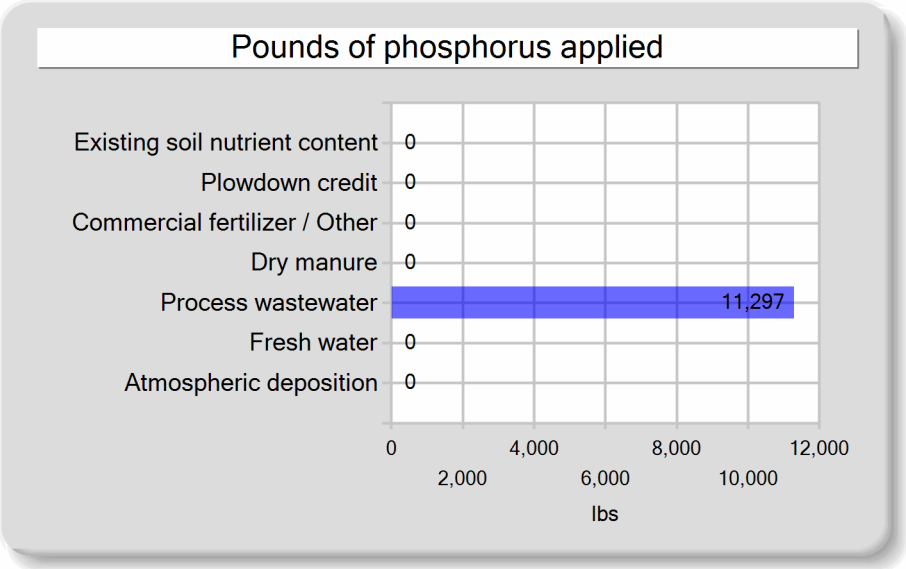

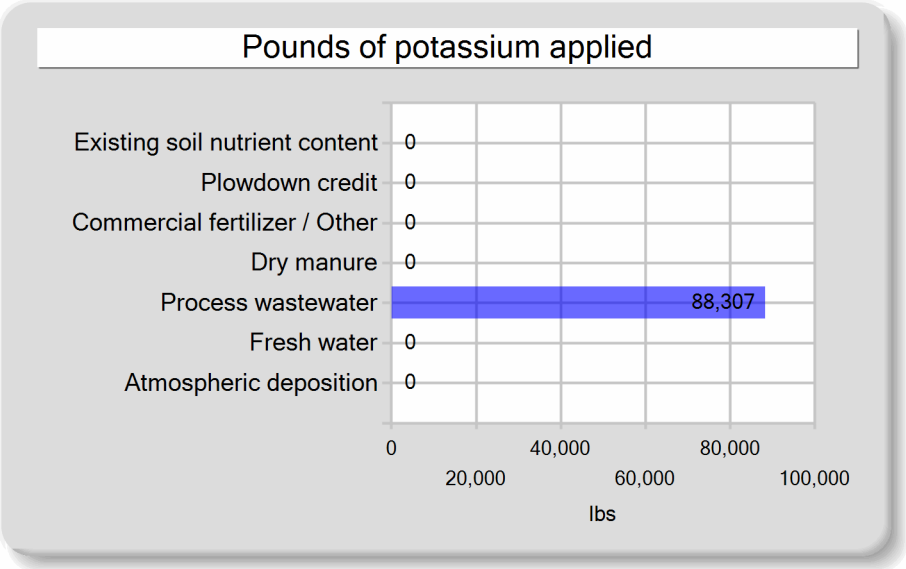

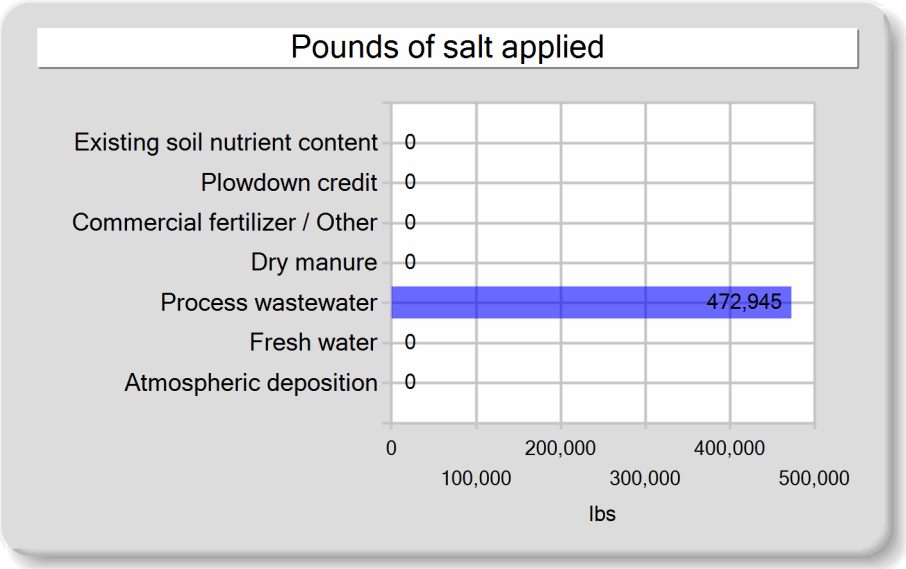

EXCEPTION REPORTING

A. MANURE, PROCESS WASTEWATER, AND OTHER DAIRY WASTE DISCHARGES

The following is a summary of all manure and process wastewater discharges from the production area to surface water or to land areas (land application areas or otherwise) when not in accordance with the facility's Nutrient Management Plan.

No manure or process wastewater discharges occurred during the reporting period.

B. STORM WATER DISCHARGES

The following is a summary of all storm water discharges from the production area to surface water during the reporting period when not in accordance with the facility 's Nutrient Management Plan.

No stormwater discharges occurred during the reporting period.

C. LAND APPLICATION AREA TO SURFACE WATER DISCHARGES

The following is a summary of all discharges from the land application area to surface water that have occurred during the reporting period when not in accordance with the facility's Nutrient Management Plan.

No land application area to surface water discharges occurred during the reporting period.

NUTRIENT MANAGEMENT PLAN AND EXPORT AGREEMENT STATEMENTS

A. NUTRIENT MANAGEMENT PLAN STATEMENTS

Was the facility's NMP updated in the reporting period?	No
Was the facility's NMP developed by a certified nutrient management planner (specialist) as specified in Attachment C of the General Order?	Yes
Was the facility's NMP approved by a certified nutrient management planner (specialist) as specified in Attachment C of the General Order?	Yes

B. EXPORT AGREEMENT STATEMENT

Are there any written agreements with third parties to receive manure or process wastewater that are new or were revised within the reporting period?	No

ADDITIONAL NOTES

A. NOTES

No notes entered for this annual report.

CERTIFICATION

A. OWNER AND/OR OPERATOR CERTIFICATION

I certify under penalty of law that I have personally examined and am familiar with the information submitted in this document and all attachments and that, based on my inquiry of those individuals immediately responsible for obtaining the information, I believe that the information is true, accurate, and complete. I am aware that there are significant penalties for submitting false information, including the possibility of fine and imprisonment.

Art Silva

SIGNATURE OF OWNER OF FACILITY	SIGNATURE OF OPERATOR OF FACILITY
Pacheco 1999 FLP	Art Silva
PRINT OR TYPE NAME	PRINT OR TYPE NAME
Jun 28, 2024	
DATE	DATE

ATTACHMENTS

A. REQUIRED ATTACHMENTS

The following lists the required documents that should be attached to the Annual Report when submitted .

Annual Dairy Facility Assessment
Provide an Annual Dairy Facility Assessment (an update to the Preliminary Dairy Facility Assessment in Attachment A) for each reporting period. On the PDFA Final page, click on the ADFA Report button to generate an ADFA report after updating information as needed .

Manure/Process Wastewater Tracking Manifests
Provide copies of all manure/process wastewater tracking manifests for the reporting period, signed by both the owner/operator and the hauler.

Corrective Actions Documents
Provide records documenting any corrective actions taken to correct deficiencies noted as a result of the inspections required in the Monitoring Requirements of the General Order. Deficiencies not corrected in 30 days must be accompanied by an explanation of the factors preventing immediate correction.

Groundwater Monitoring
Dischargers that monitor supply wells or subsurface (tile) drainage systems, or that have monitoring well systems must submit monitoring results as directed in the General Order, Groundwater Reporting Section starting on page MRP-13.

Storm Water Monitoring
Dischargers that are required to monitor storm water more frequently than required in the General Order must submit monitoring results as directed in the General Order, Storm Water Reporting Section on page MRP-14.

Manure / Process Wastewater Tracking Manifest
For
Existing Milk Cow Dairies

General Order No. R5-2007-0035, Attachment D

INSTRUCTIONS

1) Complete one manifest for each hauling event, for each destination. A hauling event may last for several days, as long as the manure is being hauled to the same destination.
2) If there are multiple destinations, complete a separate form for each destination.
3) The operator must obtain the signature of the hauler upon completion of each manure/process wastewater hauling event.
4) The operator shall submit copies of manure/process wastewater tracking manifest(s) with the Annual Monitoring Report for Existing Milk Cow Dairies.

OPERATOR INFORMATION

Name of Operator: Art Silva

Name of Dairy Facility: Art Silva Dairy #2

Facility Address:

3701 Langworth RD	Modesto	Stanislaus	95357
Number and Street	City	County	Zip Code

Contact Person Name and Phone Number: Art Silva (209) 604-0018
Name Phone Number

MANURE HAULER INFORMATION

Name of Hauling Company/Person: Dores Ag Services

Address of Hauling Company/Person:

22846 2nd Ave	Stevinson	CA	95374
Number and Street	City	State	Zip Code

Contact Person: Phil Dores (209) 649-4503
Name Phone Number

DESTINATION INFORMATION

Composting Facility / Broker / Farmer / Other (identify): Broker

Contact information of Composting Facility, Broker, Farmer, or Other (as identified above):

Dores Ag Services (209) 649-4503
Name Phone Number

22846 2nd Ave	Stevinson	CA	95374
Address	City	State	Zip Code

Destination Address or Assessor's Parcel Number:

	Stevinson	95374
Address	City	Zip Code

2nd Ave	Merced
Street and nearest cross street (if no address)	County

Assessor's Parcel Number Assessor's Parcel Number County

Last date hauled: 05/10/2023

Manure / Process Wastewater Tracking Manifest
For
Existing Milk Cow Dairies

General Order No. R5-2007-0035, Attachment D

MANURE AMOUNT HAULED

Enter the amount of manure hauled in tons, manure solids content, and the method used to calculate the amount:

Manure: 2,028.00 tons

Manure Solids Content: 35.0 %

Method used to determine amount of manure:

tons per load

CERTIFICATION

I declare under penalty of law that I personally examined and am familiar with the information submitted in this document, and that based on my inquiry of those individuals immediately responsible for obtaining the information, I believe that the information is true , accurate, and complete. I am aware that there are significant penalties for submitting false information, including the possibility of a fine and imprisonment for knowing violations.

Art Silva — 5/10/23

Operator Signature — Date

Phil Dores — 5/10/23

Hauler Signature — Date

Manure / Process Wastewater Tracking Manifest
For
Existing Milk Cow Dairies

General Order No. R5-2007-0035, Attachment D

INSTRUCTIONS

1) Complete one manifest for each hauling event, for each destination. A hauling event may last for several days, as long as the manure is being hauled to the same destination.
2) If there are multiple destinations, complete a separate form for each destination.
3) The operator must obtain the signature of the hauler upon completion of each manure/process wastewater hauling event.
4) The operator shall submit copies of manure/process wastewater tracking manifest(s) with the Annual Monitoring Report for Existing Milk Cow Dairies.

OPERATOR INFORMATION

Name of Operator: Art Silva

Name of Dairy Facility: Art Silva Dairy #2

Facility Address:

3701 Langworth RD	Modesto	Stanislaus	95357
Number and Street	City	County	Zip Code

Contact Person Name and Phone Number: Art Silva (209) 604-0018
Name Phone Number

MANURE HAULER INFORMATION

Name of Hauling Company/Person: Dores Ag Services

Address of Hauling Company/Person:

22846 2nd Ave	Stevinson	CA	95374
Number and Street	City	State	Zip Code

Contact Person: Phil Dores (209) 649-4503
Name Phone Number

DESTINATION INFORMATION

Composting Facility / Broker / Farmer / Other (identify): Broker

Contact information of Composting Facility, Broker, Farmer, or Other (as identified above):

Dores Ag Services (209) 649-4503
Name Phone Number

22846 2nd Ave	Stevinson	CA	95374
Address	City	State	Zip Code

Destination Address or Assessor's Parcel Number:

	Stevinson	95374
Address	City	Zip Code

2nd Ave	Merced
Street and nearest cross street (if no address)	County

Assessor's Parcel Number Assessor's Parcel Number County

Last date hauled: 11/09/2023

Manure / Process Wastewater Tracking Manifest
For
Existing Milk Cow Dairies

General Order No. R5-2007-0035, Attachment D

MANURE AMOUNT HAULED

Enter the amount of manure hauled in tons, manure solids content, and the method used to calculate the amount:

Manure: 1,599.00 tons

Manure Solids Content: 34.9 %

Method used to determine amount of manure:

tons per load per hauler

CERTIFICATION

I declare under penalty of law that I personally examined and am familiar with the information submitted in this document, and that based on my inquiry of those individuals immediately responsible for obtaining the information, I believe that the information is true , accurate, and complete. I am aware that there are significant penalties for submitting false information, including the possibility of a fine and imprisonment for knowing violations.

Art Silva — 11/9/23

Operator Signature — Date

Phil Dores — 11/9/23

Hauler Signature — Date

DELLAVALLE™
LABORATORY INC

Art Silva Dairy #2
PO Box 885
Riverbank, CA 95367

Account# 00-0025210
Account Manager: Ben Nydam
Submitted By: Art Silva

Received: 12/07/2023 15:35
Reported: 12/13/2023 11:13

Samples in this Report

Lab ID	Sample	Matrix	Sampled By	Crop	Date Sampled
23L0442-01	DW - MB	Supply Water	M. Pedroso		12/06/2023 11:00
23L0442-02	DW - Feed Area	Supply Water	M. Pedroso		12/06/2023 11:00

Default Cooler Temperature on Receipt °C: 1.1
Containers Intact
COC/Labels Agree
Received On Ice

Notes and Definitions

Item	Definition
H	Hold Time Exceeded
MCL	Drinking Water Maximum Contaminant Level
ND	Analyte NOT DETECTED at or above the reporting limit.
NES	Not Enough Sample
*	Not Taken
RPD	Relative Percent Difference
%REC	Percent Recovery
Source	Sample that was matrix spiked or duplicated.

Scott McFriedland

Laboratory Director/Technical Manager

ELAP Certification #1595
A2LA Certification #6440.02

The results in this report apply to the samples as received and were analyzed in accordance with the chain of custody document. This analytical report must be reproduced in its entirety. All results listed in this report are for the exclusive use of the submitting party. Dellavalle Laboratory, Inc. assumes no responsibility for report alteration, separation, detachment or third party interpretation.

DELLAVALLE™
LABORATORY INC

Art Silva Dairy #2
PO Box 885
Riverbank, CA 95367

Account# 00-0025210
Account Manager: Ben Nydam
Submitted By: Art Silva

Received: 12/07/2023 15:35
Reported: 12/13/2023 11:13

Sample Results

Sample: DW - MB
23L0442-01 (Water)

Sampled: 12/6/2023 11:00
Sampled By: M. Pedroso

Analyte	Result	Units	Reporting Limit	DIL	DW MCL	Date/Time Analyzed	Method	Notes	Batch
Electrical Conductivity	**0.48**	mmhos/cm	0.01	1		12/11/23 15:40	SM 2510 B		BEL0300
Electrical Conductivity umhos	**481**	umhos/cm	10.0	1		12/11/23 15:40	SM 2510 B		BEL0300
Ammonia (as N)	ND	mg/L	0.00	1		12/06/23 11:00	Field		BEL0460
Nitrate Nitrogen as NO3N	**3.3**	mg/L	0.1	1	10	12/08/23 04:32	EPA 300.0		BEL0227
Temperature	**25.0**	units	0.0	1		12/11/23 15:40	SM 4500-H+	H	BEL0300
pH	**7.7**	units	1.0	1		12/11/23 15:40	SM 4500-H+	H	BEL0300

The results in this report apply to the samples as received and were analyzed in accordance with the chain of custody document. This analytical report must be reproduced in its entirety. All results listed in this report are for the exclusive use of the submitting party. Dellavalle Laboratory, Inc. assumes no responsibility for report alteration, separation, detachment or third party interpretation.

DELLAVALLE™
LABORATORY INC

Art Silva Dairy #2
PO Box 885
Riverbank, CA 95367

Account# 00-0025210
Account Manager: Ben Nydam
Submitted By: Art Silva

Received: 12/07/2023 15:35
Reported: 12/13/2023 11:13

Sample Results
(Continued)

Sample: DW - Feed Area
23L0442-02 (Water)

Sampled: 12/6/2023 11:00
Sampled By: M. Pedroso

Analyte	Result	Units	Reporting Limit	DIL	DW MCL	Date/Time Analyzed	Method	Notes	Batch
Electrical Conductivity	**0.48**	mmhos/cm	0.01	1		12/11/23 15:56	SM 2510 B		BEL0301
Electrical Conductivity umhos	**479**	umhos/cm	10.0	1		12/11/23 15:56	SM 2510 B		BEL0301
Ammonia (as N)	ND	mg/L	0.00	1		12/06/23 11:00	Field		BEL0460
Nitrate Nitrogen as NO3N	**3.3**	mg/L	0.1	1	10	12/08/23 04:52	EPA 300.0		BEL0227
Temperature	**25.0**	units	0.0	1		12/11/23 15:56	SM 4500-H+	H	BEL0301
pH	**7.3**	units	1.0	1		12/11/23 15:56	SM 4500-H+	H	BEL0301

The results in this report apply to the samples as received and were analyzed in accordance with the chain of custody document. This analytical report must be reproduced in its entirety. All results listed in this report are for the exclusive use of the submitting party. Dellavalle Laboratory, Inc. assumes no responsibility for report alteration, separation, detachment or third party interpretation.

DELLAVALLE™ LABORATORY INC

Art Silva Dairy #2
PO Box 885
Riverbank, CA 95367

Account# 00-0025210
Account Manager: Ben Nydam
Submitted By: Art Silva

Received: 12/07/2023 15:35
Reported: 12/13/2023 11:13

Quality Control

Analyte	Result	Qual	Reporting Limit	Units	Spike Level	Source Result	%REC	%REC Limits	RPD	RPD Limit
Batch: BEL0227										
Blank (BEL0227-BLK1)					Prepared & Analyzed: 12/7/2023					
Nitrate Nitrogen as NO3N	ND		0.1	mg/L						
Blank (BEL0227-BLK2)					Prepared & Analyzed: 12/7/2023					
Nitrate Nitrogen as NO3N	ND		0.1	mg/L						
Blank (BEL0227-BLK3)					Prepared & Analyzed: 12/8/2023					
Nitrate Nitrogen as NO3N	ND		0.1	mg/L						
Blank (BEL0227-BLK4)					Prepared & Analyzed: 12/8/2023					
Nitrate Nitrogen as NO3N	ND		0.1	mg/L						
LCS (BEL0227-BS1)					Prepared & Analyzed: 12/7/2023					
Nitrate Nitrogen as NO3N	5.3		0.1	mg/L	5.000		106	90-110		
LCS (BEL0227-BS2)					Prepared & Analyzed: 12/8/2023					
Nitrate Nitrogen as NO3N	5.1		0.1	mg/L	5.000		102	90-110		
LCS (BEL0227-BS3)					Prepared & Analyzed: 12/8/2023					
Nitrate Nitrogen as NO3N	5.1		0.1	mg/L	5.000		101	90-110		
Duplicate (BEL0227-DUP1)		**Source: 23L0251-01**			Prepared & Analyzed: 12/7/2023					
Nitrate Nitrogen as NO3N	2.6		0.1	mg/L		2.6			0.610	10
Duplicate (BEL0227-DUP2)		**Source: 23L0351-02**			Prepared & Analyzed: 12/8/2023					
Nitrate Nitrogen as NO3N	0.04		0.1	mg/L		0.04			0.00	10
Duplicate (BEL0227-DUP3)		**Source: 23L0446-01**			Prepared & Analyzed: 12/8/2023					
Nitrate Nitrogen as NO3N	3.9		0.1	mg/L		3.9			0.00	10
Matrix Spike (BEL0227-MS1)		**Source: 23L0251-01**			Prepared & Analyzed: 12/7/2023					
Nitrate Nitrogen as NO3N	7.8		0.1	mg/L	5.000	2.6	103	90-110		
Matrix Spike (BEL0227-MS2)		**Source: 23L0351-02**			Prepared & Analyzed: 12/8/2023					
Nitrate Nitrogen as NO3N	5.3		0.1	mg/L	5.000	0.04	105	90-110		
Matrix Spike (BEL0227-MS3)		**Source: 23L0446-01**			Prepared & Analyzed: 12/8/2023					
Nitrate Nitrogen as NO3N	9.1		0.1	mg/L	5.000	3.9	104	90-110		
Reference (BEL0227-SRM1)					Prepared & Analyzed: 12/7/2023					
Nitrate Nitrogen as NO3N	10.1			mg/L	10.00		101	90-110		
Reference (BEL0227-SRM2)					Prepared & Analyzed: 12/7/2023					
Nitrate Nitrogen as NO3N	10.2			mg/L	10.00		102	90-110		

The results in this report apply to the samples as received and were analyzed in accordance with the chain of custody document. This analytical report must be reproduced in its entirety. All results listed in this report are for the exclusive use of the submitting party. Dellavalle Laboratory, Inc. assumes no responsibility for report alteration, separation, detachment or third party interpretation.

DELLAVALLE™
LABORATORY INC

Art Silva Dairy #2
PO Box 885
Riverbank, CA 95367

Account# 00-0025210
Account Manager: Ben Nydam
Submitted By: Art Silva

Received: 12/07/2023 15:35
Reported: 12/13/2023 11:13

Quality Control
(Continued)

Analyte	Result	Qual	Reporting Limit	Units	Spike Level	Source Result	%REC	%REC Limits	RPD	RPD Limit
Batch: BEL0227 (Continued)										
Reference (BEL0227-SRM3)					Prepared & Analyzed: 12/8/2023					
Nitrate Nitrogen as NO3N	10.3			mg/L	10.00		103	90-110		
Reference (BEL0227-SRM4)					Prepared & Analyzed: 12/8/2023					
Nitrate Nitrogen as NO3N	10.3			mg/L	10.00		103	90-110		

The results in this report apply to the samples as received and were analyzed in accordance with the chain of custody document. This analytical report must be reproduced in its entirety. All results listed in this report are for the exclusive use of the submitting party. Dellavalle Laboratory, Inc. assumes no responsibility for report alteration, separation, detachment or third party interpretation.

DELLAVALLE™
LABORATORY INC

Art Silva Dairy #2
PO Box 885
Riverbank, CA 95367

Account# 00-0025210
Account Manager: Ben Nydam
Submitted By: Art Silva

Received: 12/07/2023 15:35
Reported: 12/13/2023 11:13

Quality Control
(Continued)

Analyte	Result	Qual	Reporting Limit	Units	Spike Level	Source Result	%REC	%REC Limits	RPD	RPD Limit
Batch: BEL0300										
Blank (BEL0300-BLK1)					Prepared & Analyzed: 12/11/2023					
Temperature	25.0		0.0	units						
Electrical Conductivity	ND		0.01	mmhos/cm						
Electrical Conductivity umhos	ND		10.0	umhos/cm						
pH	7.4		1.0	units						
Blank (BEL0300-BLK2)					Prepared & Analyzed: 12/11/2023					
Temperature	25.0		0.0	units						
Electrical Conductivity	ND		0.01	mmhos/cm						
Electrical Conductivity umhos	ND		10.0	umhos/cm						
pH	6.1		1.0	units						
Blank (BEL0300-BLK3)					Prepared & Analyzed: 12/11/2023					
Electrical Conductivity	ND		0.01	mmhos/cm						
Temperature	25.0		0.0	units						
Electrical Conductivity umhos	ND		10.0	umhos/cm						
pH	7.6		1.0	units						
Duplicate (BEL0300-DUP1)		**Source: 23L0425-01**			Prepared & Analyzed: 12/11/2023					
Electrical Conductivity	3.39		0.01	mmhos/cm		3.37			0.650	10
pH	5.8		1.0	units		5.8			0.514	10
Electrical Conductivity umhos	3390		10.0	umhos/cm		3370			0.650	10
Duplicate (BEL0300-DUP2)		**Source: 23L0442-01**			Prepared & Analyzed: 12/11/2023					
Electrical Conductivity	0.49		0.01	mmhos/cm		0.48			1.55	10
Electrical Conductivity umhos	489		10.0	umhos/cm		481			1.55	10
pH	7.7		1.0	units		7.7			0.260	10
Reference (BEL0300-SRM1)					Prepared & Analyzed: 12/11/2023					
Electrical Conductivity	433			umhos/cm	426.0		102	90-110		
Reference (BEL0300-SRM2)					Prepared & Analyzed: 12/11/2023					
pH	7.5			units	7.520		100	67021-101.32		
Reference (BEL0300-SRM3)					Prepared & Analyzed: 12/11/2023					
Electrical Conductivity	1040			umhos/cm	1000		104	90-110		
Electrical Conductivity umhos	1040			umhos/cm	1000		104	90-110		
Reference (BEL0300-SRM4)					Prepared & Analyzed: 12/11/2023					
Electrical Conductivity	1060			umhos/cm	1000		106	90-110		
Electrical Conductivity umhos	1060			umhos/cm	1000		106	90-110		
Reference (BEL0300-SRM5)					Prepared & Analyzed: 12/11/2023					
Electrical Conductivity	1070			umhos/cm	1000		107	90-110		

The results in this report apply to the samples as received and were analyzed in accordance with the chain of custody document. This analytical report must be reproduced in its entirety. All results listed in this report are for the exclusive use of the submitting party. Dellavalle Laboratory, Inc. assumes no responsibility for report alteration, separation, detachment or third party interpretation.

DELLAVALLE™
LABORATORY INC

Art Silva Dairy #2
PO Box 885
Riverbank, CA 95367

Account# 00-0025210
Account Manager: Ben Nydam
Submitted By: Art Silva

Received: 12/07/2023 15:35
Reported: 12/13/2023 11:13

Quality Control
(Continued)

Analyte	Result	Qual	Reporting Limit	Units	Spike Level	Source Result	%REC	%REC Limits	RPD	RPD Limit
Batch: BEL0300 (Continued)										
Reference (BEL0300-SRM5)					Prepared & Analyzed: 12/11/2023					
Electrical Conductivity umhos	1070			umhos/cm	1000		107	90-110		
Reference (BEL0300-SRM6)					Prepared & Analyzed: 12/11/2023					
pH	4.0			units	4.000		99.8	97.5-102.5		
Reference (BEL0300-SRM7)					Prepared & Analyzed: 12/11/2023					
pH	4.0			units	4.000		99.5	97.5-102.5		
Reference (BEL0300-SRM8)					Prepared & Analyzed: 12/11/2023					
pH	4.0			units	4.000		100	97.5-102.5		

The results in this report apply to the samples as received and were analyzed in accordance with the chain of custody document. This analytical report must be reproduced in its entirety. All results listed in this report are for the exclusive use of the submitting party. Dellavalle Laboratory, Inc. assumes no responsibility for report alteration, separation, detachment or third party interpretation.

DELLAVALLE™ LABORATORY INC

Art Silva Dairy #2
PO Box 885
Riverbank, CA 95367

Account# 00-0025210
Account Manager: Ben Nydam
Submitted By: Art Silva

Received: 12/07/2023 15:35
Reported: 12/13/2023 11:13

Quality Control
(Continued)

Analyte	Result	Qual	Reporting Limit	Units	Spike Level	Source Result	%REC	%REC Limits	RPD	RPD Limit
Batch: BEL0301										
Blank (BEL0301-BLK1)					Prepared & Analyzed: 12/11/2023					
Temperature	25.0		0.0	units						
Electrical Conductivity	ND		0.01	mmhos/cm						
Electrical Conductivity umhos	ND		10.0	umhos/cm						
pH	5.6		1.0	units						
Blank (BEL0301-BLK2)					Prepared & Analyzed: 12/11/2023					
Temperature	25.0		0.0	units						
Electrical Conductivity	ND		0.01	mmhos/cm						
pH	7.6		1.0	units						
Electrical Conductivity umhos	ND		10.0	umhos/cm						
Blank (BEL0301-BLK3)					Prepared & Analyzed: 12/11/2023					
Electrical Conductivity	ND		0.01	mmhos/cm						
Temperature	25.0		0.0	units						
pH	7.3		1.0	units						
Electrical Conductivity umhos	ND		10.0	umhos/cm						
Duplicate (BEL0301-DUP1)		**Source: 23L0451-01**			Prepared & Analyzed: 12/11/2023					
Electrical Conductivity	0.48		0.01	mmhos/cm		0.48			0.0421	10
pH	7.9		1.0	units		7.9			0.381	10
Electrical Conductivity umhos	476		10.0	umhos/cm		475			0.0421	10
Duplicate (BEL0301-DUP2)		**Source: 23L0453-02**			Prepared & Analyzed: 12/11/2023					
Electrical Conductivity	0.80		0.01	mmhos/cm		0.79			0.126	10
pH	7.8		1.0	units		7.8			0.129	10
Electrical Conductivity umhos	795		10.0	umhos/cm		794			0.126	10
Reference (BEL0301-SRM1)					Prepared & Analyzed: 12/11/2023					
Electrical Conductivity	437			umhos/cm	426.0		103	90-110		
Reference (BEL0301-SRM2)					Prepared & Analyzed: 12/11/2023					
pH	7.5			units	7.520		100	67021-101.32		
Reference (BEL0301-SRM3)					Prepared & Analyzed: 12/11/2023					
Electrical Conductivity	1050			umhos/cm	1000		105	90-110		
Electrical Conductivity umhos	1050			umhos/cm	1000		105	90-110		
Reference (BEL0301-SRM4)					Prepared & Analyzed: 12/11/2023					
Electrical Conductivity	1070			umhos/cm	1000		107	90-110		
Electrical Conductivity umhos	1070			umhos/cm	1000		107	90-110		
Reference (BEL0301-SRM5)					Prepared & Analyzed: 12/11/2023					
Electrical Conductivity	1050			umhos/cm	1000		105	90-110		

The results in this report apply to the samples as received and were analyzed in accordance with the chain of custody document. This analytical report must be reproduced in its entirety. All results listed in this report are for the exclusive use of the submitting party. Dellavalle Laboratory, Inc. assumes no responsibility for report alteration, separation, detachment or third party interpretation.

DELLAVALLE™
LABORATORY INC

Art Silva Dairy #2
PO Box 885
Riverbank, CA 95367

Account# 00-0025210
Account Manager: Ben Nydam
Submitted By: Art Silva

Received: 12/07/2023 15:35
Reported: 12/13/2023 11:13

Quality Control
(Continued)

Analyte	Result	Qual	Reporting Limit	Units	Spike Level	Source Result	%REC	%REC Limits	RPD	RPD Limit
Batch: BEL0301 (Continued)										
Reference (BEL0301-SRM5)					Prepared & Analyzed: 12/11/2023					
Electrical Conductivity umhos	1050			umhos/cm	1000		105	90-110		
Reference (BEL0301-SRM6)					Prepared & Analyzed: 12/11/2023					
pH	4.0			units	4.000		100	97.5-102.5		
Reference (BEL0301-SRM7)					Prepared & Analyzed: 12/11/2023					
pH	4.0			units	4.000		100	97.5-102.5		
Reference (BEL0301-SRM8)					Prepared & Analyzed: 12/11/2023					
pH	4.0			units	4.000		99.8	97.5-102.5		

The results in this report apply to the samples as received and were analyzed in accordance with the chain of custody document. This analytical report must be reproduced in its entirety. All results listed in this report are for the exclusive use of the submitting party. Dellavalle Laboratory, Inc. assumes no responsibility for report alteration, separation, detachment or third party interpretation.

12/07/23 15:35 23L0442

WATER WORK REQUEST

Acct No. Cons.

Bill To: ~~21486~~ 8

25210 KP 12/7/23

Purchase Order No. Results Needed By

Client: Silva Dairy #2, Art

Address: PO Box 885

City, State, Zip: Riverbank, CA 95367

Phone: Fax:

Cell/Email:

Copy to: Cardoso Ag Sevices - cas.labs@yahoo.com

Requested by: Art Silva

Ranch:

Date sampled: 12/6/23

Sampled by: M Pedroso

[X] QA/QC Document [X] Copy of Chain [ ] RWQCB

DELLAVALLE LABORATORY, INC.

1910 W. McKinley Avenue, Suite 110 • Fresno, CA 93728

www.dellavallelab.com 559 233-6129 • 800 228-9896 • Fax 559 268-8174

No. of Samples: 2 No. Bottles: 2

Water Type: [ ] Drinking [ ] Wastewater

[ ] Ag Water [ ] Ground Water [ ] Mon. Well

[X] Supply Water [ ] Other

Analysis and Bottles Required: *(Please Indicate Analysis)*

(X) DWW1: (EC, pH, NO_3-N, **NH_4-N Field Test)**
(1) l L plastic, unpreserved (white)

( ) DWW2: (DWW1 Plus SO_4, CO_3, HCO_3, Cl, Ca, Mg, Na, TDS)
(1) l L plastic, unpreserved (white)

( ) DCW1: (EC, NO_3-N, TDS)
(1) l L plastic, unpreserved (white)

( ) DPW1: (EC, pH, NO_3-N, NH_4-N, TKN, TDS, TP, TK)
(1) l L plastic, unpreserved (white)

( ) DPW2: (DPW1 Plus Ca, Mg, Na, HCO_3, CO_3, SO_4, Cl)
(1) l L plastic, unpreserved (white)

( ) Other

DESCRIPTION OF SAMPLES		Date Sampled	Time Sampled	Field NH4-N (mg/L)	Received Temp °C
1. DW-MB	Sampled From:	12/6/23	11:00A	0	1.1
2. DW-Feild area	Sampled From:	12/6/23	11:00A	0	2.1
3.	Sampled From:				
4.	Sampled From:				
5.	Sampled From:				
6.	Sampled From:				
7.	Sampled From:				
8.	Sampled From:				
9.	Sampled From:				
10.	Sampled From:				

IR Thermometer SN: 221314357
Correction Factor: 0°C
Calibration Due: 03/06/2024
Location: Laboratory

CHAIN OF CUSTODY

Carrier	Signature	Company	Received (Date/Time)	Relinquished (Date/Time)
First	M Ped	CASInc	12/6/23 11AM	12/7/23 11A
Second	JLF	DLV	12-7-23 11:00	12-7-23 3:18
Third				
Fourth		DLF	12-7-23 15:35	

I guarantee that as the client, or on behalf of the client named, I have the authority to contract the above requested services. Should it be found that I do not have such authority, I agree to be personally liable for all costs and, if there should be action against me for this breach, reasonable attorneys' fees. It is understood that payment is expected to be cash with samples unless terms have been previously arranged. Terms are net 30 days; overdue accounts will be charged a dated damage fee of 2% per month (annually 24 %) or $5.00 per month whichever is greater.

If payment is not made when due and a legitimate dispute exists concerning the product or services of Dellavalle Laboratory, Inc., it will be submitted to mediation under the Rules and Procedures of Creative Alternative to Litigation, Inc. (cal). If the dispute is not resolved in mediation, then the dispute will be submitted to binding arbitration through cal under its Rules and Procedures. The prties will equally bear the costs of mediation/arbitration. If, however, the mediator declares that no legitimate dispute exists, then debtor will pay all mediation and arbitration costs, and in the event of arbitration, reasonable attorneys' fees of Dellavalle Laboratory.

Invoicing Information:

Sampling Hrs ___ Miles ___ Consulting ___

Amt Paid ___ Rec By ___ Check No. ___

Shipping

$ ___ In

$ ___ Out

Date ___

Signature

Sample received in cooler with ice?

[ ] Yes [ ] No

ctl:update 2020

Shipping Information: Shipped In ☐ Picked-Up ☑ Walk In ☐ DLI Sampler ☐ Other ☐ _____

Container: Ice Chest ☑ Box ☐ None ☐ **Refrigerant:** Wet Ice ☑ Blue Ice ☐ None ☐

Samples Preserved with HNO_3 or H_2SO_4 were: ☐ Received Preserved ☐ Preserved Upon Receipt at Laboratory

	Type of Container(s) Received	Sample Number 1	2	3	4	5	6	7	8	9	10
	Sample Containers for Internal (DLI) Use *(Containers that go into the Lab)*										
Plastics	100 mL sterile plastic $Na_2S_2O_3$ (Green)										
	250 mL unpreserved (White) Plastic										
	250 mL HNO_3 (Red) Plastic										
	* pH Value										
	250 mL H_2SO_4 (Yellow) Plastic										
	* pH Value										
	500 mL unpreserved (White) Plastic										
	1 L unpreserved (White) Plastic	1	1								
	1 L unpreserved (BOD) (Purple) Plastic										
"	500mL unpreserved (White) Glass										
	PO4-P Kit										
	Other:										
	Sample Containers for Subcontracted ("Send Out") Analyses *(Containers that go in the Subcontract ("Send Out") Refrigerator)*										
Plastics	100 mL sterile plastic $Na_2S_2O_3$ (Green)										
	250 mL unpreserved (White) Plastic										
	250 mL HNO_3 (Red) Plastic										
	250 mL H_2SO_4 (Yellow) Plastic										
	500 mL HNO_3 (Red)										
	1 L unpreserved (White) Plastic										
	1 L unpreserved (BOD) (Purple) Plastic										
	1 L HNO_3 (Red)										
VOA Vials	40 mL AG VOA, $Na_2S_2O_3$ + MCAA										
	40 mL AG VOA, $Na_2S_2O_3$										
	40mL AG VOA unpreserved (White) (Set of 3										
	40 mL AG VOA, $Na_2S_2O_3$ (Green) (Set of 3)										
	40mL VOA, H_3PO_4 (Set of 3)										
	40 mL VOA, HCl (Blue) (Set of 3)										
	40 mL VOA, $Na_2S_2O_3$ (Green) (Set of 3)										
Glass	250 mL AG unpreserved (White)										
	250 mL AG H_2SO_4 (Yellow)										
	250 mL AG $Na_2S_2O_3$ (Green)										
	250 mL AG $Na_2S_2O_3$ + MCAA										
	500 mL glass unpreserved (White)										
	500 mL AG HCl (Blue)										
	1 L AG unpreserved (White)										
	1 L AG H_2SO_4 (Yellow)										
	1 L AG $Na_2S_2O_3$ (Green)										
	1 L AG HCl (Blue)										
Special	Cr^{6+} - 50mL Plastic w/Borate/HCO_3/CO_3										
	Cyanide - 500 mL NaOH										
	Asbestos - 1L P wrapped in foil (Set of 2)										
	Sulfide - 1 L **AG** or **P** NaOH + ZnAc										
	Chlorite/Bromate - 250 mL AG with EDA										
	HAA5 - 250mL AG Ammonium Chlorite										
	DO KIT										
	Other:										
	Other:										

12/07/23 15:35 23L0442

SEND OUT

DELLAVALLE LABORATORY INC

Report of Dairy Well Water Analysis

Art Silva Dairy #2
PO Box 885
Riverbank CA 95367
00-0025210 08

E-mail:
Copy To:

Lab No.: 23L0442
Sampled By: M. Pedroso
Requested By: Art Silva
Submitted Date: 12/07/23
Reported Date: 12/13/23
Project:
Crop ID:

		Date Sampled	Time Sampled	EC µmhos/cm	EC mmhos/cm	NO_3-N mg/L	Field NH_4-N mg/L	Total NH_4-N mg/L	pH at 25°C unit
1	DW - MB	12/06/23	11:00	481	0.48	3.3	ND		7.7
2	DW - Feed Area	12/06/23	11:00	479	0.48	3.3	ND		7.3

***** = Field NH_4-N not Taken.
ND = None Detected

Approved By: Scott M Friedland
Laboratory Director\Technical Manager
ELAP Certification #1595
A2LA Certification #6440.02

Report of Dairy Well Water Analysis

DELLAVALLE LABORATORY INC

Art Silva Dairy #2
PO Box 885
Riverbank CA 95367
00-0025210 08

E-mail:
Copy To:

Lab No.: 23L0442
Sampled By: M. Pedroso
Requested By: Art Silva
Submitted Date: 12/07/23
Reported Date: 12/13/23
Project:
Crop ID:

		Date Sampled	Time Sampled	EC µmhos/cm	EC mmhos/cm	NO_3-N mg/L	Nitrogen agricultural use Calcs calculated from nitrate-N lbs/AcFoot	lbs/AcInch
1	DW - MB	12/06/23	11:00	481	0.48	**3.3**	9.01	0.75
2	DW - Feed Area	12/06/23	11:00	479	0.48	**3.3**	9.01	0.75

Water for Crop Use	Total	Total	Nitrate
Nutrient Management	Salts	Salts	Nitrogen
Low Levels	< 900	< 0.90	< 2.0
Significant Levels	900-2200	0.90-2.2	2.0-10.0
High Levels	2200+	2.2+	10.0+

Sampling abbreviations: H.B. = hose bib, S.P. = stand pipe, Dom. = domestic well, IR = irrigation well, AG = ag well.

Nitrate exceeds Water Quality MCL levels if results are above 10 mg/l nitrate-nitrogen NO3-N (equivalent to 45 mg/l nitrate, NO3).

Total Salt results are used to monitor changes of salt in the well aquifers between annual tests.

MCL = Maximum Contaminant Level according to the California Domestic Water Quality and Monitoring Regulations (Title 22)

MDL = Method Detection Limit; **RL** = Reporting Limit, mg/L = ppm.

SM = Standard Methods for the Examination of Water and Wastewater

EPA = Environmental Protection Agency methods used unless otherwise indicated.