Annual Report - General Order No. R5-2007-0035
Reporting period 01/01/2023 to 12/31/2023.

DAIRY FACILITY INFORMATION

A. NAME OF DAIRY OR BUSINESS OPERATING THE DAIRY: Cross A Dairy

Physical address of dairy:

4125 Bentley RD	Oakdale	Stanislaus	95361
Number and Street	City	County	Zip Code

Street and nearest cross street (if no address):

Date facility was originally placed in operation: 01/01/1979

Regional Water Quality Control Board Basin Plan designation: San Joaquin River Basin

County Assessor Parcel Number(s) for dairy facility:

X014-X008-X004-XXXX

B. OPERATORS

Alger, Brent

Operator name: Alger, Brent

Telephone no.: (209) 847-6050 Landline, (209) 988-2567 Cellular

5420 Dodds RD	Oakdale	CA	95361
Mailing Address Number and Street	City	State	Zip Code

This operator is responsible for paying permit fees.

C. OWNERS

Alger, Brent

Legal owner name: Alger, Brent

Telephone no.: (209) 847-6050 Landline, (209) 988-2567 Cellular

5420 Dodds RD	Oakdale	CA	95361
Mailing Address Number and Street	City	State	Zip Code

This owner is responsible for paying permit fees.

HILARIDES, RON

Legal owner name:	HILARIDES, RON	Telephone no.:	(209) 529-4991	
			Landline	Cellular
4125 BENTLEY RD	OAKDALE		CA	95361
Mailing Address Number and Street	City		State	Zip Code

Annual Report - General Order No. R5-2007-0035
Reporting period 01/01/2023 to 12/31/2023.

AVAILABLE NUTRIENTS

A. HERD INFORMATION

	Milk Cows	Dry Cows	Bred Heifers (15-24 mo.)	Heifers (7-14 mo. to breeding)	Calves (4-6 mo.)	Calves (0-3 mo.)
Number open confinement	0	35	290	200	300	0
Number under roof	1,650	160	0	0	0	0
Maximum number	1,650	195	290	200	300	0
Average number	1,650	195	290	200	300	0
Avg live weight (lbs)	1,400	1,450	950	700		

Predominant milk cow breed: Holstein

Average milk production: 74 *pounds per cow per day*

B. MANURE GENERATED

Total manure excreted by the herd: 51,871.10 *tons per reporting period*

Total nitrogen from manure: 660,923.10 *lbs per reporting period*

After ammonia losses (30% loss applied): 462,646.17 *lbs per reporting period*

Total phosphorus from manure: 109,196.58 *lbs per reporting period*

Total potassium from manure: 320,326.42 *lbs per reporting period*

Total salt from manure: 821,742.75 *lbs per reporting period*

C. PROCESS WASTEWATER GENERATED

Process wastewater generated: 26,499,000 *gallons*

Total nitrogen generated: 94,628.90 *lbs*

Total phosphorus generated: 11,949.59 *lbs*

Total potassium generated: 88,667.99 *lbs*

Total salt generated: 408,601.24 *lbs*

	26,499,000	*gallons applied*
+	0	*gallons exported*
-	0	*gallons imported*
=	26,499,000	*gallons generated*

D. FRESH WATER SOURCES

Source Description	Type
Canal OID	Ground water

E. SUBSURFACE (TILE) DRAINAGE SOURCES

No subsurface (tile) drainage sources entered.

F. NUTRIENT IMPORTS

No dry manure nutrient imports entered.

No process wastewater nutrient imports entered.

Date	Material type / Description	Quantity	Reporting basis	Moisture (%)	N (%)	P (%)	K (%)	Salt (%)
04/29/2023	Solid commercial fertilizer *UN 32*	13.06 *ton*	Dry-weight	0.1	32.000000	0.000000	0.000000	0.000000

Material type	Total N (lbs)	Total P (lbs)	Total K (lbs)	Total salt (lbs)
Commercial fertilizer / Other	8,350.04	0.00	0.00	0.00
Dry manure	0.00	0.00	0.00	0.00
Process wastewater	0.00	0.00	0.00	0.00
Total imports for all materials	8,350.04	0.00	0.00	0.00

G. NUTRIENT EXPORTS

Date	Material type	Quantity	Reporting basis	Moisture (%)	Density (lbs/cu ft)	N (mg/kg)	P (mg/kg)	K (mg/kg)	Salt (mg/kg)	TFS (%)
10/26/2023	Corral solids	2,220.00 *ton*	Dry-weight	48.8		25,900.00	6,640.00	37,000.00		27.90

No liquid nutrient exports entered.

Material type	Total N (lbs)	Total P (lbs)	Total K (lbs)	Total salt (lbs)
Dry manure	58,877.95	15,094.58	84,111.36	634,245.12
Process wastewater	0.00	0.00	0.00	0.00
Total exports for all materials	58,877.95	15,094.58	84,111.36	634,245.12

APPLICATION AREA

A. LIST OF LAND APPLICATION AREAS

Field name	Controlled acres	Cropable acres	Total harvests	Type of waste applied	Parcel number
FIELD 1	77	77	1	none	X014-X017-X001-XXXX
Field 10	40	40	1	none	X002-X003-X021-XXXX
FIELD 4	14	14	1	none	X014-X008-X004-XXXX
FIELD 6	6	6	1	none	X014-X008-X004-XXXX
FIELD 7	33	33	2	process wastewater	X014-X017-X001-XXXX
FIELD 8	98	98	2	process wastewater	X014-X017-X001-XXXX
FIELD 9	64	64	2	process wastewater	X014-X017-X001-XXXX
Totals for areas that were used for application	195	195	6		
Totals for areas that were not used for application	137	137	4		
Land application area totals	332	332	10		

B. CROPS AND HARVESTS

FIELD 1

Field name: FIELD 1

11/15/2021: Almond Field Run

Crop: Almond Field Run Acres planted: 77 Plant date: 11/15/2021

Harvest date	Yield	Reporting basis	Density (lbs/cu ft)	Moisture (%)	N (mg/kg)	P (mg/kg)	K (mg/kg)	Salt (mg/kg)	TFS (%)
12/31/2023	0.01 *ton*	As-is		0.1	0.00	0.00	0.00		0.00

	Yield (tons/acre)	Total N (lbs/acre)	Total P (lbs/acre)	Total K (lbs/acre)	Salt (lbs/acre)
Anticipated harvest content	0.10	0.10	0.01	0.01	0.00
Total actual harvest content	0.00	0.00	0.00	0.00	0.00

Field 10

Field name: Field 10

Field 10

02/02/2021: Almond Field Run

Crop: Almond Field Run Acres planted: 40 Plant date: 02/02/2021

Harvest date	Yield	Reporting basis	Density (lbs/cu ft)	Moisture (%)	N (mg/kg)	P (mg/kg)	K (mg/kg)	Salt (mg/kg)	TFS (%)
12/31/2023	0.01 *ton*	As-is		0.1	0.00	0.00	0.00		0.00

	Yield (tons/acre)	Total N (lbs/acre)	Total P (lbs/acre)	Total K (lbs/acre)	Salt (lbs/acre)
Anticipated harvest content	0.10	0.10	0.01	0.01	0.00
Total actual harvest content	0.00	0.00	0.00	0.00	0.00

FIELD 4

Field name: FIELD 4

11/15/2021: Almond Field Run

Crop: Almond Field Run Acres planted: 14 Plant date: 11/15/2021

Harvest date	Yield	Reporting basis	Density (lbs/cu ft)	Moisture (%)	N (mg/kg)	P (mg/kg)	K (mg/kg)	Salt (mg/kg)	TFS (%)
12/31/2023	0.01 *ton*	As-is		0.1	0.00	0.00	0.00		0.00

	Yield (tons/acre)	Total N (lbs/acre)	Total P (lbs/acre)	Total K (lbs/acre)	Salt (lbs/acre)
Anticipated harvest content	0.10	0.10	0.01	0.01	0.00
Total actual harvest content	0.00	0.00	0.00	0.00	0.00

FIELD 6

Field name: FIELD 6

FIELD 6

11/15/2021: Almond Field Run

Crop: Almond Field Run Acres planted: 6 Plant date: 11/15/2021

Harvest date	Yield	Reporting basis	Density (lbs/cu ft)	Moisture (%)	N (mg/kg)	P (mg/kg)	K (mg/kg)	Salt (mg/kg)	TFS (%)
12/31/2023	0.01 *ton*	As-is		0.1	0.00	0.00	0.00		0.00

	Yield (tons/acre)	Total N (lbs/acre)	Total P (lbs/acre)	Total K (lbs/acre)	Salt (lbs/acre)
Anticipated harvest content	0.10	0.10	0.01	0.01	0.00
Total actual harvest content	0.00	0.00	0.00	0.00	0.00

FIELD 7

Field name: FIELD 7

10/26/2022: Oats, silage-soft dough

Crop: Oats, silage-soft dough Acres planted: 33 Plant date: 10/26/2022

Harvest date	Yield	Reporting basis	Density (lbs/cu ft)	Moisture (%)	N (mg/kg)	P (mg/kg)	K (mg/kg)	Salt (mg/kg)	TFS (%)
05/04/2023	432.30 *ton*	As-is		63.0	5,480.00	1,110.00	13,000.00		4.20

	Yield (tons/acre)	Total N (lbs/acre)	Total P (lbs/acre)	Total K (lbs/acre)	Salt (lbs/acre)
Anticipated harvest content	15.00	150.00	24.00	124.50	0.00
Total actual harvest content	13.10	143.58	29.08	340.60	407.15

06/04/2023: Sudangrass, silage

Crop: Sudangrass, silage Acres planted: 33 Plant date: 06/04/2023

Harvest date	Yield	Reporting basis	Density (lbs/cu ft)	Moisture (%)	N (mg/kg)	P (mg/kg)	K (mg/kg)	Salt (mg/kg)	TFS (%)
10/09/2023	987.48 *ton*	As-is		81.0	3,970.00	380.00	6,850.00		12.70

	Yield (tons/acre)	Total N (lbs/acre)	Total P (lbs/acre)	Total K (lbs/acre)	Salt (lbs/acre)
Anticipated harvest content	28.00	308.00	47.60	336.00	0.00
Total actual harvest content	29.92	237.59	22.74	409.95	1,444.11

FIELD 8

Field name: FIELD 8

10/26/2022: Oats, silage-soft dough

Crop: Oats, silage-soft dough Acres planted: 98 Plant date: 10/26/2022

Harvest date	Yield	Reporting basis	Density (lbs/cu ft)	Moisture (%)	N (mg/kg)	P (mg/kg)	K (mg/kg)	Salt (mg/kg)	TFS (%)
05/05/2023	1,127.25 *ton*	As-is		61.0	6,710.00	1,330.00	15,400.00		8.32

	Yield (tons/acre)	Total N (lbs/acre)	Total P (lbs/acre)	Total K (lbs/acre)	Salt (lbs/acre)
Anticipated harvest content	15.00	150.00	24.00	124.50	0.00
Total actual harvest content	11.50	154.36	30.60	354.28	746.47

06/06/2023: Sudangrass, silage

Crop: Sudangrass, silage Acres planted: 98 Plant date: 06/06/2023

Harvest date	Yield	Reporting basis	Density (lbs/cu ft)	Moisture (%)	N (mg/kg)	P (mg/kg)	K (mg/kg)	Salt (mg/kg)	TFS (%)
10/09/2023	2,930.20 *ton*	As-is		81.2	3,890.00	570.00	7,570.00		14.30

	Yield (tons/acre)	Total N (lbs/acre)	Total P (lbs/acre)	Total K (lbs/acre)	Salt (lbs/acre)
Anticipated harvest content	28.00	308.00	47.60	336.00	0.00
Total actual harvest content	29.90	232.62	34.09	452.69	1,607.66

FIELD 9

Field name: FIELD 9

10/26/2022: Oats, silage-soft dough

Crop: Oats, silage-soft dough Acres planted: 64 Plant date: 10/26/2022

Harvest date	Yield	Reporting basis	Density (lbs/cu ft)	Moisture (%)	N (mg/kg)	P (mg/kg)	K (mg/kg)	Salt (mg/kg)	TFS (%)
05/04/2023	979.20 *ton*	As-is		73.2	3,750.00	830.00	11,800.00		10.00

	Yield (tons/acre)	Total N (lbs/acre)	Total P (lbs/acre)	Total K (lbs/acre)	Salt (lbs/acre)
Anticipated harvest content	15.00	150.00	24.00	124.50	0.00
Total actual harvest content	15.30	114.75	25.40	361.08	820.08

FIELD 9

06/28/2023: Corn, silage

Crop: Corn, silage Acres planted: 64 Plant date: 06/28/2023

Harvest date	Yield	Reporting basis	Density (lbs/cu ft)	Moisture (%)	N (mg/kg)	P (mg/kg)	K (mg/kg)	Salt (mg/kg)	TFS (%)
10/12/2023	2,340.00 *ton*	As-is		69.8	3,530.00	430.00	4,740.00		7.30

	Yield (tons/acre)	Total N (lbs/acre)	Total P (lbs/acre)	Total K (lbs/acre)	Salt (lbs/acre)
Anticipated harvest content	30.00	240.00	45.00	198.00	0.00
Total actual harvest content	36.56	258.13	31.44	346.61	1,612.11

NUTRIENT BUDGET

A. LAND APPLICATIONS

FIELD 1 - 11/15/2021: Almond Field Run

Field name: FIELD 1

Crop: Almond Field Run

Plant date: 11/15/2021

Application date	Application method	Precipitation 24 hours prior	Precipitation during application	Precipitation 24 hours following
04/08/2023	Surface (irrigation)	No precipitation	No precipitation	No precipitation

Source description	Material type	N (lbs/acre)	P (lbs/acre)	K (lbs/acre)	Salt (lbs/acre)	Amount
Canal OID	Ground water	0.80	0.00	0.00	41.35	7,338,100.00 *gal*
Application event totals		0.80	0.00	0.00	41.35	

Application date	Application method	Precipitation 24 hours prior	Precipitation during application	Precipitation 24 hours following
04/29/2023	Surface (irrigation)	No precipitation	No precipitation	No precipitation

Source description	Material type	N (lbs/acre)	P (lbs/acre)	K (lbs/acre)	Salt (lbs/acre)	Amount
Canal OID	Ground water	0.80	0.00	0.00	41.35	7,338,100.00 *gal*
Application event totals		0.80	0.00	0.00	41.35	

Application date	Application method	Precipitation 24 hours prior	Precipitation during application	Precipitation 24 hours following
04/29/2023	Sidedress	No precipitation	No precipitation	No precipitation

Source description	Material type	N (lbs/acre)	P (lbs/acre)	K (lbs/acre)	Salt (lbs/acre)	Amount
UN 32	Solid commercial fertilizer	20.80	0.00	0.00	0.00	
Application event totals		20.80	0.00	0.00	0.00	

Application date	Application method	Precipitation 24 hours prior	Precipitation during application	Precipitation 24 hours following
05/21/2023	Surface (irrigation)	No precipitation	No precipitation	No precipitation

Source description	Material type	N (lbs/acre)	P (lbs/acre)	K (lbs/acre)	Salt (lbs/acre)	Amount
Canal OID	Ground water	0.80	0.00	0.00	41.35	7,338,100.00 *gal*
Application event totals		0.80	0.00	0.00	41.35	

Application date	Application method	Precipitation 24 hours prior	Precipitation during application	Precipitation 24 hours following
06/05/2023	Surface (irrigation)	No precipitation	No precipitation	No precipitation

Source description	Material type	N (lbs/acre)	P (lbs/acre)	K (lbs/acre)	Salt (lbs/acre)	Amount
Canal OID	Ground water	0.80	0.00	0.00	41.35	7,338,100.00 *gal*
Application event totals		0.80	0.00	0.00	41.35	

FIELD 1 - 11/15/2021: Almond Field Run

Application date	Application method	Precipitation 24 hours prior	Precipitation during application	Precipitation 24 hours following
06/19/2023	Surface (irrigation)	No precipitation	No precipitation	No precipitation

Source description	Material type	N (lbs/acre)	P (lbs/acre)	K (lbs/acre)	Salt (lbs/acre)	Amount
Canal OID	Ground water	0.82	0.00	0.00	42.09	7,469,000.00 *gal*
Application event totals		0.82	0.00	0.00	42.09	

Application date	Application method	Precipitation 24 hours prior	Precipitation during application	Precipitation 24 hours following
06/19/2023	Sidedress	No precipitation	No precipitation	No precipitation

Source description	Material type	N (lbs/acre)	P (lbs/acre)	K (lbs/acre)	Salt (lbs/acre)	Amount
UN 32	Solid commercial fertilizer	20.80	0.00	0.00	0.00	
Application event totals		20.80	0.00	0.00	0.00	

Application date	Application method	Precipitation 24 hours prior	Precipitation during application	Precipitation 24 hours following
07/03/2023	Surface (irrigation)	No precipitation	No precipitation	No precipitation

Source description	Material type	N (lbs/acre)	P (lbs/acre)	K (lbs/acre)	Salt (lbs/acre)	Amount
Canal OID	Ground water	0.82	0.00	0.00	42.09	7,469,000.00 *gal*
Application event totals		0.82	0.00	0.00	42.09	

Application date	Application method	Precipitation 24 hours prior	Precipitation during application	Precipitation 24 hours following
07/17/2023	Surface (irrigation)	No precipitation	No precipitation	No precipitation

Source description	Material type	N (lbs/acre)	P (lbs/acre)	K (lbs/acre)	Salt (lbs/acre)	Amount
Canal OID	Ground water	0.82	0.00	0.00	42.09	7,469,000.00 *gal*
Application event totals		0.82	0.00	0.00	42.09	

Application date	Application method	Precipitation 24 hours prior	Precipitation during application	Precipitation 24 hours following
08/01/2023	Surface (irrigation)	No precipitation	No precipitation	No precipitation

Source description	Material type	N (lbs/acre)	P (lbs/acre)	K (lbs/acre)	Salt (lbs/acre)	Amount
Canal OID	Ground water	0.82	0.00	0.00	42.09	7,469,000.00 *gal*
Application event totals		0.82	0.00	0.00	42.09	

Application date	Application method	Precipitation 24 hours prior	Precipitation during application	Precipitation 24 hours following
08/01/2023	Sidedress	No precipitation	No precipitation	No precipitation

Source description	Material type	N (lbs/acre)	P (lbs/acre)	K (lbs/acre)	Salt (lbs/acre)	Amount
UN 32	Solid commercial fertilizer	20.80	0.00	0.00	0.00	
Application event totals		20.80	0.00	0.00	0.00	

FIELD 1 - 11/15/2021: Almond Field Run

Application date	Application method	Precipitation 24 hours prior	Precipitation during application	Precipitation 24 hours following
08/15/2023	Surface (irrigation)	No precipitation	No precipitation	No precipitation

Source description	Material type	N (lbs/acre)	P (lbs/acre)	K (lbs/acre)	Salt (lbs/acre)	Amount
Canal OID	Ground water	0.82	0.00	0.00	42.09	7,469,000.00 *gal*
Application event totals		0.82	0.00	0.00	42.09	

Application date	Application method	Precipitation 24 hours prior	Precipitation during application	Precipitation 24 hours following
08/29/2023	Surface (irrigation)	No precipitation	No precipitation	No precipitation

Source description	Material type	N (lbs/acre)	P (lbs/acre)	K (lbs/acre)	Salt (lbs/acre)	Amount
Canal OID	Ground water	0.82	0.00	0.00	42.09	7,469,000.00 *gal*
Application event totals		0.82	0.00	0.00	42.09	

Application date	Application method	Precipitation 24 hours prior	Precipitation during application	Precipitation 24 hours following
09/12/2023	Surface (irrigation)	No precipitation	No precipitation	No precipitation

Source description	Material type	N (lbs/acre)	P (lbs/acre)	K (lbs/acre)	Salt (lbs/acre)	Amount
Canal OID	Ground water	0.82	0.00	0.00	42.09	7,469,000.00 *gal*
Application event totals		0.82	0.00	0.00	42.09	

Application date	Application method	Precipitation 24 hours prior	Precipitation during application	Precipitation 24 hours following
09/26/2023	Surface (irrigation)	No precipitation	No precipitation	No precipitation

Source description	Material type	N (lbs/acre)	P (lbs/acre)	K (lbs/acre)	Salt (lbs/acre)	Amount
Canal OID	Ground water	0.82	0.00	0.00	42.09	7,469,000.00 *gal*
Application event totals		0.82	0.00	0.00	42.09	

Application date	Application method	Precipitation 24 hours prior	Precipitation during application	Precipitation 24 hours following
10/10/2023	Surface (irrigation)	No precipitation	No precipitation	No precipitation

Source description	Material type	N (lbs/acre)	P (lbs/acre)	K (lbs/acre)	Salt (lbs/acre)	Amount
Canal OID	Ground water	0.82	0.00	0.00	42.09	7,469,000.00 *gal*
Application event totals		0.82	0.00	0.00	42.09	

Field 10 - 02/02/2021: Almond Field Run

Field name: Field 10

Crop: Almond Field Run

Plant date: 02/02/2021

Application date	Application method	Precipitation 24 hours prior	Precipitation during application	Precipitation 24 hours following

Field 10 - 02/02/2021: Almond Field Run

Application date	Application method	Precipitation 24 hours prior	Precipitation during application	Precipitation 24 hours following
04/12/2023	Surface (irrigation)	No precipitation	No precipitation	No precipitation

Source description	Material type	N (lbs/acre)	P (lbs/acre)	K (lbs/acre)	Salt (lbs/acre)	Amount
Canal OID	Ground water	0.74	0.00	0.00	38.25	3,526,100.00 *gal*
Application event totals		0.74	0.00	0.00	38.25	

Application date	Application method	Precipitation 24 hours prior	Precipitation during application	Precipitation 24 hours following
05/03/2023	Surface (irrigation)	No precipitation	No precipitation	No precipitation

Source description	Material type	N (lbs/acre)	P (lbs/acre)	K (lbs/acre)	Salt (lbs/acre)	Amount
Canal OID	Ground water	0.74	0.00	0.00	38.25	3,526,100.00 *gal*
Application event totals		0.74	0.00	0.00	38.25	

Application date	Application method	Precipitation 24 hours prior	Precipitation during application	Precipitation 24 hours following
05/03/2023	Sidedress	No precipitation	No precipitation	No precipitation

Source description	Material type	N (lbs/acre)	P (lbs/acre)	K (lbs/acre)	Salt (lbs/acre)	Amount
UN 32	Solid commercial fertilizer	20.80	0.00	0.00	0.00	
Application event totals		20.80	0.00	0.00	0.00	

Application date	Application method	Precipitation 24 hours prior	Precipitation during application	Precipitation 24 hours following
05/25/2023	Surface (irrigation)	No precipitation	No precipitation	No precipitation

Source description	Material type	N (lbs/acre)	P (lbs/acre)	K (lbs/acre)	Salt (lbs/acre)	Amount
Canal OID	Ground water	0.74	0.00	0.00	38.23	3,524,250.00 *gal*
Application event totals		0.74	0.00	0.00	38.23	

Application date	Application method	Precipitation 24 hours prior	Precipitation during application	Precipitation 24 hours following
06/09/2023	Surface (irrigation)	No precipitation	No precipitation	No precipitation

Source description	Material type	N (lbs/acre)	P (lbs/acre)	K (lbs/acre)	Salt (lbs/acre)	Amount
Canal OID	Ground water	0.74	0.00	0.00	38.23	3,524,250.00 *gal*
Application event totals		0.74	0.00	0.00	38.23	

Application date	Application method	Precipitation 24 hours prior	Precipitation during application	Precipitation 24 hours following
06/23/2023	Surface (irrigation)	No precipitation	No precipitation	No precipitation

Source description	Material type	N (lbs/acre)	P (lbs/acre)	K (lbs/acre)	Salt (lbs/acre)	Amount
Canal OID	Ground water	0.76	0.00	0.00	38.94	3,589,000.00 *gal*
Application event totals		0.76	0.00	0.00	38.94	

Field 10 - 02/02/2021: Almond Field Run

Application date	Application method	Precipitation 24 hours prior	Precipitation during application	Precipitation 24 hours following
06/23/2023	Sidedress	No precipitation	No precipitation	No precipitation

Source description	Material type	N (lbs/acre)	P (lbs/acre)	K (lbs/acre)	Salt (lbs/acre)	Amount
UN 32	Solid commercial fertilizer	20.80	0.00	0.00	0.00	
Application event totals		20.80	0.00	0.00	0.00	

07/07/2023	Surface (irrigation)	No precipitation	No precipitation	No precipitation

Source description	Material type	N (lbs/acre)	P (lbs/acre)	K (lbs/acre)	Salt (lbs/acre)	Amount
Canal OID	Ground water	0.76	0.00	0.00	38.94	3,589,000.00 *gal*
Application event totals		0.76	0.00	0.00	38.94	

07/21/2023	Surface (irrigation)	No precipitation	No precipitation	No precipitation

Source description	Material type	N (lbs/acre)	P (lbs/acre)	K (lbs/acre)	Salt (lbs/acre)	Amount
Canal OID	Ground water	0.76	0.00	0.00	38.94	3,589,000.00 *gal*
Application event totals		0.76	0.00	0.00	38.94	

08/05/2023	Surface (irrigation)	No precipitation	No precipitation	No precipitation

Source description	Material type	N (lbs/acre)	P (lbs/acre)	K (lbs/acre)	Salt (lbs/acre)	Amount
Canal OID	Ground water	0.76	0.00	0.00	38.94	3,589,000.00 *gal*
Application event totals		0.76	0.00	0.00	38.94	

08/05/2023	Sidedress	No precipitation	No precipitation	No precipitation

Source description	Material type	N (lbs/acre)	P (lbs/acre)	K (lbs/acre)	Salt (lbs/acre)	Amount
UN 32	Solid commercial fertilizer	20.80	0.00	0.00	0.00	
Application event totals		20.80	0.00	0.00	0.00	

08/19/2023	Surface (irrigation)	No precipitation	No precipitation	No precipitation

Source description	Material type	N (lbs/acre)	P (lbs/acre)	K (lbs/acre)	Salt (lbs/acre)	Amount
Canal OID	Ground water	0.76	0.00	0.00	38.94	3,589,000.00 *gal*
Application event totals		0.76	0.00	0.00	38.94	

Field 10 - 02/02/2021: Almond Field Run

Application date	Application method	Precipitation 24 hours prior	Precipitation during application	Precipitation 24 hours following
09/02/2023	Surface (irrigation)	No precipitation	No precipitation	No precipitation

Source description	Material type	N (lbs/acre)	P (lbs/acre)	K (lbs/acre)	Salt (lbs/acre)	Amount
Canal OID	Ground water	0.76	0.00	0.00	38.94	3,589,000.00 *gal*
Application event totals		0.76	0.00	0.00	38.94	

Application date	Application method	Precipitation 24 hours prior	Precipitation during application	Precipitation 24 hours following
09/16/2023	Surface (irrigation)	No precipitation	No precipitation	No precipitation

Source description	Material type	N (lbs/acre)	P (lbs/acre)	K (lbs/acre)	Salt (lbs/acre)	Amount
Canal OID	Ground water	0.76	0.00	0.00	38.94	3,589,000.00 *gal*
Application event totals		0.76	0.00	0.00	38.94	

Application date	Application method	Precipitation 24 hours prior	Precipitation during application	Precipitation 24 hours following
09/30/2023	Surface (irrigation)	No precipitation	No precipitation	No precipitation

Source description	Material type	N (lbs/acre)	P (lbs/acre)	K (lbs/acre)	Salt (lbs/acre)	Amount
Canal OID	Ground water	0.76	0.00	0.00	38.94	3,589,000.00 *gal*
Application event totals		0.76	0.00	0.00	38.94	

Application date	Application method	Precipitation 24 hours prior	Precipitation during application	Precipitation 24 hours following
10/14/2023	Surface (irrigation)	No precipitation	No precipitation	No precipitation

Source description	Material type	N (lbs/acre)	P (lbs/acre)	K (lbs/acre)	Salt (lbs/acre)	Amount
Canal OID	Ground water	0.76	0.00	0.00	38.94	3,589,000.00 *gal*
Application event totals		0.76	0.00	0.00	38.94	

FIELD 4 - 11/15/2021: Almond Field Run

Field name: FIELD 4

Crop: Almond Field Run

Plant date: 11/15/2021

Application date	Application method	Precipitation 24 hours prior	Precipitation during application	Precipitation 24 hours following
04/10/2023	Surface (irrigation)	No precipitation	No precipitation	No precipitation

Source description	Material type	N (lbs/acre)	P (lbs/acre)	K (lbs/acre)	Salt (lbs/acre)	Amount
Canal OID	Ground water	0.80	0.00	0.00	41.33	1,333,500.00 *gal*
Application event totals		0.80	0.00	0.00	41.33	

FIELD 4 - 11/15/2021: Almond Field Run

Application date	Application method	Precipitation 24 hours prior	Precipitation during application	Precipitation 24 hours following
05/01/2023	Surface (irrigation)	No precipitation	No precipitation	No precipitation

Source description	Material type	N (lbs/acre)	P (lbs/acre)	K (lbs/acre)	Salt (lbs/acre)	Amount
Canal OID	Ground water	0.80	0.00	0.00	41.33	1,333,500.00 *gal*
Application event totals		0.80	0.00	0.00	41.33	

Application date	Application method	Precipitation 24 hours prior	Precipitation during application	Precipitation 24 hours following
05/01/2023	Sidedress	No precipitation	No precipitation	No precipitation

Source description	Material type	N (lbs/acre)	P (lbs/acre)	K (lbs/acre)	Salt (lbs/acre)	Amount
UN 32	Solid commercial fertilizer	20.80	0.00	0.00	0.00	
Application event totals		20.80	0.00	0.00	0.00	

Application date	Application method	Precipitation 24 hours prior	Precipitation during application	Precipitation 24 hours following
05/23/2023	Surface (irrigation)	No precipitation	No precipitation	No precipitation

Source description	Material type	N (lbs/acre)	P (lbs/acre)	K (lbs/acre)	Salt (lbs/acre)	Amount
Canal OID	Ground water	0.80	0.00	0.00	41.33	1,333,500.00 *gal*
Application event totals		0.80	0.00	0.00	41.33	

Application date	Application method	Precipitation 24 hours prior	Precipitation during application	Precipitation 24 hours following
06/07/2023	Surface (irrigation)	No precipitation	No precipitation	No precipitation

Source description	Material type	N (lbs/acre)	P (lbs/acre)	K (lbs/acre)	Salt (lbs/acre)	Amount
Canal OID	Ground water	0.80	0.00	0.00	41.33	1,333,500.00 *gal*
Application event totals		0.80	0.00	0.00	41.33	

Application date	Application method	Precipitation 24 hours prior	Precipitation during application	Precipitation 24 hours following
06/21/2023	Surface (irrigation)	No precipitation	No precipitation	No precipitation

Source description	Material type	N (lbs/acre)	P (lbs/acre)	K (lbs/acre)	Salt (lbs/acre)	Amount
Canal OID	Ground water	0.82	0.00	0.00	42.09	1,358,000.00 *gal*
Application event totals		0.82	0.00	0.00	42.09	

Application date	Application method	Precipitation 24 hours prior	Precipitation during application	Precipitation 24 hours following
06/21/2023	Sidedress	No precipitation	No precipitation	No precipitation

Source description	Material type	N (lbs/acre)	P (lbs/acre)	K (lbs/acre)	Salt (lbs/acre)	Amount
UN 32	Solid commercial fertilizer	20.80	0.00	0.00	0.00	
Application event totals		20.80	0.00	0.00	0.00	

FIELD 4 - 11/15/2021: Almond Field Run

Application date	Application method	Precipitation 24 hours prior	Precipitation during application	Precipitation 24 hours following
07/05/2023	Surface (irrigation)	No precipitation	No precipitation	No precipitation

Source description	Material type	N (lbs/acre)	P (lbs/acre)	K (lbs/acre)	Salt (lbs/acre)	Amount
Canal OID	Ground water	0.82	0.00	0.00	42.09	1,358,000.00 *gal*
Application event totals		0.82	0.00	0.00	42.09	

Application date	Application method	Precipitation 24 hours prior	Precipitation during application	Precipitation 24 hours following
07/19/2023	Surface (irrigation)	No precipitation	No precipitation	No precipitation

Source description	Material type	N (lbs/acre)	P (lbs/acre)	K (lbs/acre)	Salt (lbs/acre)	Amount
Canal OID	Ground water	0.82	0.00	0.00	42.09	1,358,000.00 *gal*
Application event totals		0.82	0.00	0.00	42.09	

Application date	Application method	Precipitation 24 hours prior	Precipitation during application	Precipitation 24 hours following
08/03/2023	Surface (irrigation)	No precipitation	No precipitation	No precipitation

Source description	Material type	N (lbs/acre)	P (lbs/acre)	K (lbs/acre)	Salt (lbs/acre)	Amount
Canal OID	Ground water	0.82	0.00	0.00	42.09	1,358,000.00 *gal*
Application event totals		0.82	0.00	0.00	42.09	

Application date	Application method	Precipitation 24 hours prior	Precipitation during application	Precipitation 24 hours following
08/03/2023	Sidedress	No precipitation	No precipitation	No precipitation

Source description	Material type	N (lbs/acre)	P (lbs/acre)	K (lbs/acre)	Salt (lbs/acre)	Amount
UN 32	Solid commercial fertilizer	20.80	0.00	0.00	0.00	
Application event totals		20.80	0.00	0.00	0.00	

Application date	Application method	Precipitation 24 hours prior	Precipitation during application	Precipitation 24 hours following
08/17/2023	Surface (irrigation)	No precipitation	No precipitation	No precipitation

Source description	Material type	N (lbs/acre)	P (lbs/acre)	K (lbs/acre)	Salt (lbs/acre)	Amount
Canal OID	Ground water	0.82	0.00	0.00	42.09	1,358,000.00 *gal*
Application event totals		0.82	0.00	0.00	42.09	

Application date	Application method	Precipitation 24 hours prior	Precipitation during application	Precipitation 24 hours following
08/31/2023	Surface (irrigation)	No precipitation	No precipitation	No precipitation

Source description	Material type	N (lbs/acre)	P (lbs/acre)	K (lbs/acre)	Salt (lbs/acre)	Amount
Canal OID	Ground water	0.82	0.00	0.00	42.09	1,358,000.00 *gal*
Application event totals		0.82	0.00	0.00	42.09	

FIELD 4 - 11/15/2021: Almond Field Run

Application date	Application method	Precipitation 24 hours prior	Precipitation during application	Precipitation 24 hours following
09/14/2023	Surface (irrigation)	No precipitation	No precipitation	No precipitation

Source description	Material type	N (lbs/acre)	P (lbs/acre)	K (lbs/acre)	Salt (lbs/acre)	Amount
Canal OID	Ground water	0.82	0.00	0.00	42.09	1,358,000.00 *gal*
Application event totals		0.82	0.00	0.00	42.09	

Application date	Application method	Precipitation 24 hours prior	Precipitation during application	Precipitation 24 hours following
09/28/2023	Surface (irrigation)	No precipitation	No precipitation	No precipitation

Source description	Material type	N (lbs/acre)	P (lbs/acre)	K (lbs/acre)	Salt (lbs/acre)	Amount
Canal OID	Ground water	0.82	0.00	0.00	42.09	1,358,000.00 *gal*
Application event totals		0.82	0.00	0.00	42.09	

Application date	Application method	Precipitation 24 hours prior	Precipitation during application	Precipitation 24 hours following
10/12/2023	Surface (irrigation)	No precipitation	No precipitation	No precipitation

Source description	Material type	N (lbs/acre)	P (lbs/acre)	K (lbs/acre)	Salt (lbs/acre)	Amount
Canal OID	Ground water	0.82	0.00	0.00	42.09	1,358,000.00 *gal*
Application event totals		0.82	0.00	0.00	42.09	

FIELD 6 - 11/15/2021: Almond Field Run

Field name: FIELD 6

Crop: Almond Field Run

Plant date: 11/15/2021

Application date	Application method	Precipitation 24 hours prior	Precipitation during application	Precipitation 24 hours following
04/10/2023	Surface (irrigation)	No precipitation	No precipitation	No precipitation

Source description	Material type	N (lbs/acre)	P (lbs/acre)	K (lbs/acre)	Salt (lbs/acre)	Amount
Canal OID	Ground water	0.80	0.00	0.00	41.31	571,200.00 *gal*
Application event totals		0.80	0.00	0.00	41.31	

Application date	Application method	Precipitation 24 hours prior	Precipitation during application	Precipitation 24 hours following
05/01/2023	Surface (irrigation)	No precipitation	No precipitation	No precipitation

Source description	Material type	N (lbs/acre)	P (lbs/acre)	K (lbs/acre)	Salt (lbs/acre)	Amount
Canal OID	Ground water	0.80	0.00	0.00	41.31	571,200.00 *gal*
Application event totals		0.80	0.00	0.00	41.31	

FIELD 6 - 11/15/2021: Almond Field Run

Application date	Application method	Precipitation 24 hours prior	Precipitation during application	Precipitation 24 hours following
05/01/2023	Sidedress	No precipitation	No precipitation	No precipitation

Source description	Material type	N (lbs/acre)	P (lbs/acre)	K (lbs/acre)	Salt (lbs/acre)	Amount
UN 32	Solid commercial fertilizer	20.80	0.00	0.00	0.00	
Application event totals		20.80	0.00	0.00	0.00	

05/23/2023	Pipeline	No precipitation	No precipitation	No precipitation

Source description	Material type	N (lbs/acre)	P (lbs/acre)	K (lbs/acre)	Salt (lbs/acre)	Amount
Canal OID	Ground water	0.80	0.00	0.00	41.31	571,200.00 *gal*
Application event totals		0.80	0.00	0.00	41.31	

06/07/2023	Surface (irrigation)	No precipitation	No precipitation	No precipitation

Source description	Material type	N (lbs/acre)	P (lbs/acre)	K (lbs/acre)	Salt (lbs/acre)	Amount
Canal OID	Ground water	0.80	0.00	0.00	41.31	571,200.00 *gal*
Application event totals		0.80	0.00	0.00	41.31	

06/21/2023	Surface (irrigation)	No precipitation	No precipitation	No precipitation

Source description	Material type	N (lbs/acre)	P (lbs/acre)	K (lbs/acre)	Salt (lbs/acre)	Amount
Canal OID	Ground water	0.82	0.00	0.00	42.09	582,000.00 *gal*
Application event totals		0.82	0.00	0.00	42.09	

06/21/2023	Sidedress	No precipitation	No precipitation	No precipitation

Source description	Material type	N (lbs/acre)	P (lbs/acre)	K (lbs/acre)	Salt (lbs/acre)	Amount
UN 32	Solid commercial fertilizer	20.80	0.00	0.00	0.00	
Application event totals		20.80	0.00	0.00	0.00	

07/05/2023	Surface (irrigation)	No precipitation	No precipitation	No precipitation

Source description	Material type	N (lbs/acre)	P (lbs/acre)	K (lbs/acre)	Salt (lbs/acre)	Amount
Canal OID	Ground water	0.82	0.00	0.00	42.09	582,000.00 *gal*
Application event totals		0.82	0.00	0.00	42.09	

FIELD 6 - 11/15/2021: Almond Field Run

Application date	Application method	Precipitation 24 hours prior	Precipitation during application	Precipitation 24 hours following
07/19/2023	Surface (irrigation)	No precipitation	No precipitation	No precipitation

Source description	Material type	N (lbs/acre)	P (lbs/acre)	K (lbs/acre)	Salt (lbs/acre)	Amount
Canal OID	Ground water	0.82	0.00	0.00	42.09	582,000.00 *gal*
Application event totals		0.82	0.00	0.00	42.09	

Application date	Application method	Precipitation 24 hours prior	Precipitation during application	Precipitation 24 hours following
08/03/2023	Surface (irrigation)	No precipitation	No precipitation	No precipitation

Source description	Material type	N (lbs/acre)	P (lbs/acre)	K (lbs/acre)	Salt (lbs/acre)	Amount
Canal OID	Ground water	0.82	0.00	0.00	42.09	582,000.00 *gal*
Application event totals		0.82	0.00	0.00	42.09	

Application date	Application method	Precipitation 24 hours prior	Precipitation during application	Precipitation 24 hours following
08/03/2023	Sidedress	No precipitation	No precipitation	No precipitation

Source description	Material type	N (lbs/acre)	P (lbs/acre)	K (lbs/acre)	Salt (lbs/acre)	Amount
UN 32	Solid commercial fertilizer	20.80	0.00	0.00	0.00	
Application event totals		20.80	0.00	0.00	0.00	

Application date	Application method	Precipitation 24 hours prior	Precipitation during application	Precipitation 24 hours following
08/17/2023	Surface (irrigation)	No precipitation	No precipitation	No precipitation

Source description	Material type	N (lbs/acre)	P (lbs/acre)	K (lbs/acre)	Salt (lbs/acre)	Amount
Canal OID	Ground water	0.82	0.00	0.00	42.09	582,000.00 *gal*
Application event totals		0.82	0.00	0.00	42.09	

Application date	Application method	Precipitation 24 hours prior	Precipitation during application	Precipitation 24 hours following
08/31/2023	Surface (irrigation)	No precipitation	No precipitation	No precipitation

Source description	Material type	N (lbs/acre)	P (lbs/acre)	K (lbs/acre)	Salt (lbs/acre)	Amount
Canal OID	Ground water	0.82	0.00	0.00	42.09	582,000.00 *gal*
Application event totals		0.82	0.00	0.00	42.09	

Application date	Application method	Precipitation 24 hours prior	Precipitation during application	Precipitation 24 hours following
09/14/2023	Surface (irrigation)	No precipitation	No precipitation	No precipitation

Source description	Material type	N (lbs/acre)	P (lbs/acre)	K (lbs/acre)	Salt (lbs/acre)	Amount
Canal OID	Ground water	0.82	0.00	0.00	42.09	582,000.00 *gal*
Application event totals		0.82	0.00	0.00	42.09	

FIELD 6 - 11/15/2021: Almond Field Run

Application date	Application method	Precipitation 24 hours prior	Precipitation during application	Precipitation 24 hours following
09/28/2023	Surface (irrigation)	No precipitation	No precipitation	No precipitation

Source description	Material type	N (lbs/acre)	P (lbs/acre)	K (lbs/acre)	Salt (lbs/acre)	Amount
Canal OID	Ground water	0.82	0.00	0.00	42.09	582,000.00 *gal*
Application event totals		0.82	0.00	0.00	42.09	

10/12/2023	Surface (irrigation)	No precipitation	No precipitation	No precipitation

Source description	Material type	N (lbs/acre)	P (lbs/acre)	K (lbs/acre)	Salt (lbs/acre)	Amount
Canal OID	Ground water	0.82	0.00	0.00	42.09	582,000.00 *gal*
Application event totals		0.82	0.00	0.00	42.09	

FIELD 7 - 10/26/2022: Oats, silage-soft dough

Field name: FIELD 7

Crop: Oats, silage-soft dough Plant date: 10/26/2022

Application date	Application method	Precipitation 24 hours prior	Precipitation during application	Precipitation 24 hours following
10/12/2022	Surface (irrigation)	No precipitation	No precipitation	No precipitation

Source description	Material type	N (lbs/acre)	P (lbs/acre)	K (lbs/acre)	Salt (lbs/acre)	Amount
WWS	Process wastewater sludge	150.71	18.81	189.26	698.64	462,000.00 *gal*
Application event totals		150.71	18.81	189.26	698.64	

02/04/2023	Surface (irrigation)	No precipitation	No precipitation	No precipitation

Source description	Material type	N (lbs/acre)	P (lbs/acre)	K (lbs/acre)	Salt (lbs/acre)	Amount
WWS	Process wastewater	46.27	5.67	17.38	183.35	342,000.00 *gal*
Application event totals		46.27	5.67	17.38	183.35	

FIELD 7 - 06/04/2023: Sudangrass, silage

Field name: FIELD 7

Crop: Sudangrass, silage Plant date: 06/04/2023

FIELD 7 - 06/04/2023: Sudangrass, silage

Application date	Application method	Precipitation 24 hours prior	Precipitation during application	Precipitation 24 hours following
06/09/2023	Surface (irrigation)	No precipitation	No precipitation	No precipitation

Source description	Material type	N (lbs/acre)	P (lbs/acre)	K (lbs/acre)	Salt (lbs/acre)	Amount
Canal OID	Ground water	1.16	0.00	0.00	59.65	4,536,000.00 *gal*
Application event totals		1.16	0.00	0.00	59.65	

Application date	Application method	Precipitation 24 hours prior	Precipitation during application	Precipitation 24 hours following
06/30/2023	Surface (irrigation)	No precipitation	No precipitation	No precipitation

Source description	Material type	N (lbs/acre)	P (lbs/acre)	K (lbs/acre)	Salt (lbs/acre)	Amount
WWS	Process wastewater	76.42	12.43	64.37	342.48	1,254,000.00 *gal*
Canal OID	Ground water	0.91	0.00	0.00	46.87	3,564,000.00 *gal*
Application event totals		77.33	12.43	64.37	389.34	

Application date	Application method	Precipitation 24 hours prior	Precipitation during application	Precipitation 24 hours following
07/12/2023	Surface (irrigation)	No precipitation	No precipitation	No precipitation

Source description	Material type	N (lbs/acre)	P (lbs/acre)	K (lbs/acre)	Salt (lbs/acre)	Amount
WWS	Process wastewater	72.95	11.87	61.45	326.91	1,197,000.00 *gal*
Canal OID	Ground water	0.87	0.00	0.00	44.74	3,402,000.00 *gal*
Application event totals		73.82	11.87	61.45	371.65	

Application date	Application method	Precipitation 24 hours prior	Precipitation during application	Precipitation 24 hours following
07/24/2023	Surface (irrigation)	No precipitation	No precipitation	No precipitation

Source description	Material type	N (lbs/acre)	P (lbs/acre)	K (lbs/acre)	Salt (lbs/acre)	Amount
Canal OID	Ground water	1.08	0.00	0.00	55.39	4,212,000.00 *gal*
Application event totals		1.08	0.00	0.00	55.39	

Application date	Application method	Precipitation 24 hours prior	Precipitation during application	Precipitation 24 hours following
08/05/2023	Surface (irrigation)	No precipitation	No precipitation	No precipitation

Source description	Material type	N (lbs/acre)	P (lbs/acre)	K (lbs/acre)	Salt (lbs/acre)	Amount
WWS	Process wastewater	69.48	11.30	58.52	311.34	1,140,000.00 *gal*
Canal OID	Ground water	0.83	0.00	0.00	42.61	3,240,000.00 *gal*
Application event totals		70.30	11.30	58.52	353.95	

FIELD 7 - 06/04/2023: Sudangrass, silage

Application date	Application method	Precipitation 24 hours prior	Precipitation during application	Precipitation 24 hours following
08/17/2023	Surface (irrigation)	No precipitation	No precipitation	No precipitation

Source description	Material type	N (lbs/acre)	P (lbs/acre)	K (lbs/acre)	Salt (lbs/acre)	Amount
Canal OID	Ground water	0.99	0.00	0.00	51.13	3,888,000.00 *gal*
Application event totals		0.99	0.00	0.00	51.13	

Application date	Application method	Precipitation 24 hours prior	Precipitation during application	Precipitation 24 hours following
08/29/2023	Surface (irrigation)	No precipitation	No precipitation	No precipitation

Source description	Material type	N (lbs/acre)	P (lbs/acre)	K (lbs/acre)	Salt (lbs/acre)	Amount
WWS	Process wastewater	62.53	10.17	52.67	280.21	1,026,000.00 *gal*
Canal OID	Ground water	0.74	0.00	0.00	38.34	2,916,000.00 *gal*
Application event totals		63.27	10.17	52.67	318.55	

Application date	Application method	Precipitation 24 hours prior	Precipitation during application	Precipitation 24 hours following
09/10/2023	Surface (irrigation)	No precipitation	No precipitation	No precipitation

Source description	Material type	N (lbs/acre)	P (lbs/acre)	K (lbs/acre)	Salt (lbs/acre)	Amount
Canal OID	Ground water	0.99	0.00	0.00	51.13	3,888,000.00 *gal*
Application event totals		0.99	0.00	0.00	51.13	

FIELD 8 - 10/26/2022: Oats, silage-soft dough

Field name: FIELD 8

Crop: Oats, silage-soft dough

Plant date: 10/26/2022

Application date	Application method	Precipitation 24 hours prior	Precipitation during application	Precipitation 24 hours following
10/12/2022	Surface (irrigation)	No precipitation	No precipitation	No precipitation

Source description	Material type	N (lbs/acre)	P (lbs/acre)	K (lbs/acre)	Salt (lbs/acre)	Amount
WWS	Process wastewater sludge	150.71	18.81	189.26	698.64	1,372,000.00 *gal*
Application event totals		150.71	18.81	189.26	698.64	

Application date	Application method	Precipitation 24 hours prior	Precipitation during application	Precipitation 24 hours following
02/04/2023	Surface (irrigation)	No precipitation	No precipitation	No precipitation

Source description	Material type	N (lbs/acre)	P (lbs/acre)	K (lbs/acre)	Salt (lbs/acre)	Amount
WWS	Process wastewater	51.93	6.37	19.51	205.80	1,140,000.00 *gal*
Application event totals		51.93	6.37	19.51	205.80	

FIELD 8 - 06/06/2023: Sudangrass, silage

Field name: FIELD 8

Crop: Sudangrass, silage

Plant date: 06/06/2023

Application date	Application method	Precipitation 24 hours prior	Precipitation during application	Precipitation 24 hours following
06/10/2023	Surface (irrigation)	No precipitation	No precipitation	No precipitation

Source description	Material type	N (lbs/acre)	P (lbs/acre)	K (lbs/acre)	Salt (lbs/acre)	Amount
Canal OID	Ground water	1.17	0.00	0.00	60.26	13,608,000.00 *gal*
Application event totals		1.17	0.00	0.00	60.26	

Application date	Application method	Precipitation 24 hours prior	Precipitation during application	Precipitation 24 hours following
07/01/2023	Surface (irrigation)	No precipitation	No precipitation	No precipitation

Source description	Material type	N (lbs/acre)	P (lbs/acre)	K (lbs/acre)	Salt (lbs/acre)	Amount
WWS	Process wastewater	76.03	12.37	64.04	340.73	3,705,000.00 *gal*
Canal OID	Ground water	0.91	0.00	0.00	46.63	10,530,000.00 *gal*
Application event totals		76.94	12.37	64.04	387.36	

Application date	Application method	Precipitation 24 hours prior	Precipitation during application	Precipitation 24 hours following
07/13/2023	Surface (irrigation)	No precipitation	No precipitation	No precipitation

Source description	Material type	N (lbs/acre)	P (lbs/acre)	K (lbs/acre)	Salt (lbs/acre)	Amount
WWS	Process wastewater	73.69	11.99	62.07	330.25	3,591,000.00 *gal*
Canal OID	Ground water	0.88	0.00	0.00	45.19	10,206,000.00 *gal*
Application event totals		74.57	11.99	62.07	375.44	

Application date	Application method	Precipitation 24 hours prior	Precipitation during application	Precipitation 24 hours following
07/25/2023	Surface (irrigation)	No precipitation	No precipitation	No precipitation

Source description	Material type	N (lbs/acre)	P (lbs/acre)	K (lbs/acre)	Salt (lbs/acre)	Amount
Canal OID	Ground water	1.11	0.00	0.00	57.39	12,960,000.00 *gal*
Application event totals		1.11	0.00	0.00	57.39	

Application date	Application method	Precipitation 24 hours prior	Precipitation during application	Precipitation 24 hours following
08/06/2023	Surface (irrigation)	No precipitation	No precipitation	No precipitation

Source description	Material type	N (lbs/acre)	P (lbs/acre)	K (lbs/acre)	Salt (lbs/acre)	Amount
WWS	Process wastewater	70.18	11.42	59.12	314.52	3,420,000.00 *gal*
Canal OID	Ground water	0.84	0.00	0.00	43.04	9,720,000.00 *gal*
Application event totals		71.02	11.42	59.12	357.56	

FIELD 8 - 06/06/2023: Sudangrass, silage

Application date	Application method	Precipitation 24 hours prior	Precipitation during application	Precipitation 24 hours following
08/18/2023	Surface (irrigation)	No precipitation	No precipitation	No precipitation

Source description	Material type	N (lbs/acre)	P (lbs/acre)	K (lbs/acre)	Salt (lbs/acre)	Amount
Canal OID	Ground water	1.09	0.00	0.00	55.95	12,636,000.00 *gal*
Application event totals		1.09	0.00	0.00	55.95	

Application date	Application method	Precipitation 24 hours prior	Precipitation during application	Precipitation 24 hours following
08/30/2023	Surface (irrigation)	No precipitation	No precipitation	No precipitation

Source description	Material type	N (lbs/acre)	P (lbs/acre)	K (lbs/acre)	Salt (lbs/acre)	Amount
WWS	Process wastewater	63.17	10.27	53.21	283.07	3,078,000.00 *gal*
Canal OID	Ground water	0.75	0.00	0.00	38.74	8,748,000.00 *gal*
Application event totals		63.92	10.27	53.21	321.80	

Application date	Application method	Precipitation 24 hours prior	Precipitation during application	Precipitation 24 hours following
09/11/2023	Surface (irrigation)	No precipitation	No precipitation	No precipitation

Source description	Material type	N (lbs/acre)	P (lbs/acre)	K (lbs/acre)	Salt (lbs/acre)	Amount
Canal OID	Ground water	1.00	0.00	0.00	51.65	11,664,000.00 *gal*
Application event totals		1.00	0.00	0.00	51.65	

FIELD 9 - 10/26/2022: Oats, silage-soft dough

Field name: FIELD 9

Crop: Oats, silage-soft dough Plant date: 10/26/2022

Application date	Application method	Precipitation 24 hours prior	Precipitation during application	Precipitation 24 hours following
10/12/2022	Surface (irrigation)	No precipitation	No precipitation	No precipitation

Source description	Material type	N (lbs/acre)	P (lbs/acre)	K (lbs/acre)	Salt (lbs/acre)	Amount
WWS	Process wastewater sludge	150.71	18.81	189.26	698.64	896,000.00 *gal*
Application event totals		150.71	18.81	189.26	698.64	

FIELD 9 - 06/28/2023: Corn, silage

Field name: FIELD 9

Crop: Corn, silage Plant date: 06/28/2023

FIELD 9 - 06/28/2023: Corn, silage

Application date	Application method	Precipitation 24 hours prior	Precipitation during application	Precipitation 24 hours following
06/07/2023	Surface (irrigation)	No precipitation	No precipitation	No precipitation

Source description	Material type	N (lbs/acre)	P (lbs/acre)	K (lbs/acre)	Salt (lbs/acre)	Amount
WWS	Process wastewater	278.34	13.01	232.82	988.49	1,995,000.00 *gal*
Canal OID	Ground water	0.75	0.00	0.00	38.44	5,670,000.00 *gal*
Application event totals		279.09	13.01	232.82	1,026.94	

Application date	Application method	Precipitation 24 hours prior	Precipitation during application	Precipitation 24 hours following
07/20/2023	Surface (irrigation)	No precipitation	No precipitation	No precipitation

Source description	Material type	N (lbs/acre)	P (lbs/acre)	K (lbs/acre)	Salt (lbs/acre)	Amount
Canal OID	Ground water	1.11	0.00	0.00	57.12	8,424,200.00 *gal*
Application event totals		1.11	0.00	0.00	57.12	

Application date	Application method	Precipitation 24 hours prior	Precipitation during application	Precipitation 24 hours following
08/01/2023	Surface (irrigation)	No precipitation	No precipitation	No precipitation

Source description	Material type	N (lbs/acre)	P (lbs/acre)	K (lbs/acre)	Salt (lbs/acre)	Amount
Canal OID	Ground water	1.13	0.00	0.00	58.22	8,586,000.00 *gal*
Application event totals		1.13	0.00	0.00	58.22	

Application date	Application method	Precipitation 24 hours prior	Precipitation during application	Precipitation 24 hours following
08/13/2023	Surface (irrigation)	No precipitation	No precipitation	No precipitation

Source description	Material type	N (lbs/acre)	P (lbs/acre)	K (lbs/acre)	Salt (lbs/acre)	Amount
WWS	Process wastewater	59.11	9.61	49.79	264.89	1,881,000.00 *gal*
Canal OID	Ground water	0.70	0.00	0.00	36.25	5,346,000.00 *gal*
Application event totals		59.81	9.61	49.79	301.13	

Application date	Application method	Precipitation 24 hours prior	Precipitation during application	Precipitation 24 hours following
08/25/2023	Surface (irrigation)	No precipitation	No precipitation	No precipitation

Source description	Material type	N (lbs/acre)	P (lbs/acre)	K (lbs/acre)	Salt (lbs/acre)	Amount
Canal OID	Ground water	1.11	0.00	0.00	57.12	8,424,000.00 *gal*
Application event totals		1.11	0.00	0.00	57.12	

Application date	Application method	Precipitation 24 hours prior	Precipitation during application	Precipitation 24 hours following
09/06/2023	Surface (irrigation)	No precipitation	No precipitation	No precipitation

Source description	Material type	N (lbs/acre)	P (lbs/acre)	K (lbs/acre)	Salt (lbs/acre)	Amount
Canal OID	Ground water	1.07	0.00	0.00	54.92	8,100,000.00 *gal*
Application event totals		1.07	0.00	0.00	54.92	

FIELD 9 - 06/28/2023: Corn, silage

Application date	Application method	Precipitation 24 hours prior	Precipitation during application	Precipitation 24 hours following
09/18/2023	Surface (irrigation)	No precipitation	No precipitation	No precipitation

Source description	Material type	N (lbs/acre)	P (lbs/acre)	K (lbs/acre)	Salt (lbs/acre)	Amount
Canal OID	Ground water	1.02	0.00	0.00	52.72	7,776,000.00 *gal*
Application event totals		1.02	0.00	0.00	52.72	

B. NUTRIENT BUDGET

FIELD 1 - 11/15/2021: Almond Field Run

Field name: FIELD 1 Crop: Almond Field Run Plant date: 11/15/2021

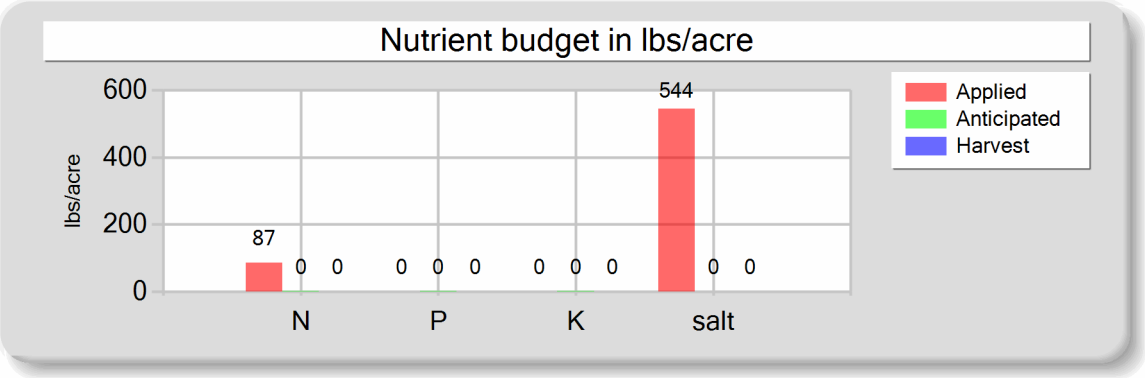

	Total N (lbs/acre)	Total P (lbs/acre)	Total K (lbs/acre)	Total salt (lbs/acre)
Existing soil nutrient content	0.00	0.00	0.00	0.00
Plowdown credit	0.00	0.00	0.00	0.00
Commercial fertilizer / Other	62.40	0.00	0.00	0.00
Dry manure	0.00	0.00	0.00	0.00
Process wastewater	0.00	0.00	0.00	0.00
Fresh water	10.57	0.00	0.00	544.25
Atmospheric deposition	14.00	0.00	0.00	0.00
Total nutrients applied	86.97	0.00	0.00	544.25
Anticipated crop nutrient removal	0.10	0.01	0.01	0.00
Actual crop nutrient removal	0.00	0.00	0.00	0.00
Nutrient balance	86.97	0.00	0.00	544.25
Applied to removed ratio	0.00	0.00	0.00	0.00

Fresh water applied	
96,573,400.00	*gallons*
3,556.47	*acre-inches*
46.19	*inches/acre*

Process wastewater applied	
0.00	*gallons*
0.00	*acre-inches*
0.00	*inches/acre*

Total harvests for the crop	
1	*harvests*

Field 10 - 02/02/2021: Almond Field Run

Field name: Field 10 Crop: Almond Field Run Plant date: 02/02/2021

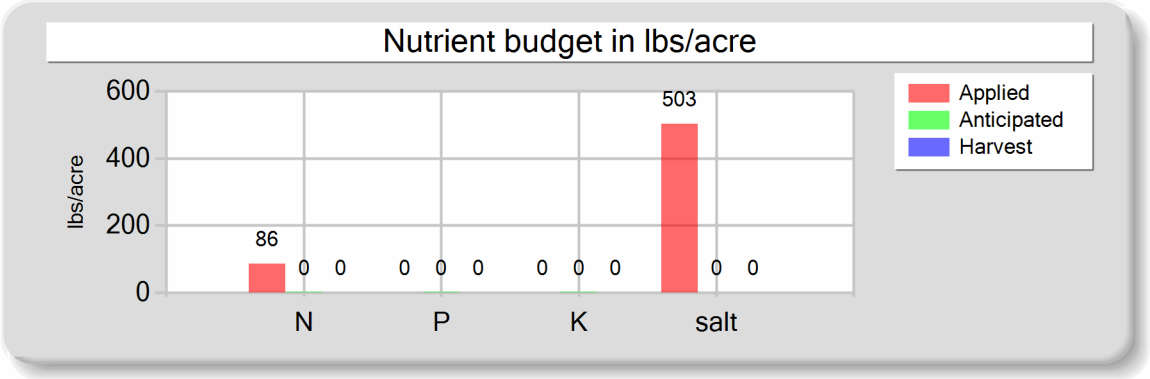

	Total N (lbs/acre)	Total P (lbs/acre)	Total K (lbs/acre)	Total salt (lbs/acre)
Existing soil nutrient content	0.00	0.00	0.00	0.00
Plowdown credit	0.00	0.00	0.00	0.00
Commercial fertilizer / Other	62.40	0.00	0.00	0.00
Dry manure	0.00	0.00	0.00	0.00
Process wastewater	0.00	0.00	0.00	0.00
Fresh water	9.78	0.00	0.00	503.39
Atmospheric deposition	14.00	0.00	0.00	0.00
Total nutrients applied	86.18	0.00	0.00	503.39
Anticipated crop nutrient removal	0.10	0.01	0.01	0.00
Actual crop nutrient removal	0.00	0.00	0.00	0.00
Nutrient balance	86.18	0.00	0.00	503.39
Applied to removed ratio	0.00	0.00	0.00	0.00

Fresh water applied	
46,401,700.00	*gallons*
1,708.82	*acre-inches*
42.72	*inches/acre*

Process wastewater applied	
0.00	*gallons*
0.00	*acre-inches*
0.00	*inches/acre*

Total harvests for the crop	
1	*harvests*

FIELD 4 - 11/15/2021: Almond Field Run

Field name: FIELD 4 Crop: Almond Field Run Plant date: 11/15/2021

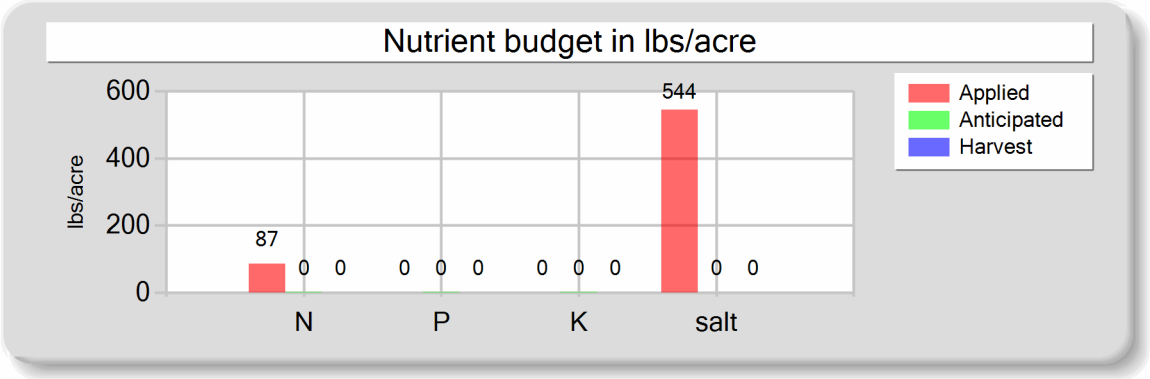

	Total N (lbs/acre)	Total P (lbs/acre)	Total K (lbs/acre)	Total salt (lbs/acre)
Existing soil nutrient content	0.00	0.00	0.00	0.00
Plowdown credit	0.00	0.00	0.00	0.00
Commercial fertilizer / Other	62.40	0.00	0.00	0.00
Dry manure	0.00	0.00	0.00	0.00
Process wastewater	0.00	0.00	0.00	0.00
Fresh water	10.57	0.00	0.00	544.16
Atmospheric deposition	14.00	0.00	0.00	0.00
Total nutrients applied	86.97	0.00	0.00	544.16
Anticipated crop nutrient removal	0.10	0.01	0.01	0.00
Actual crop nutrient removal	0.00	0.00	0.00	0.00
Nutrient balance	86.97	0.00	0.00	544.16
Applied to removed ratio	0.00	0.00	0.00	0.00

Fresh water applied	
17,556,000.00	*gallons*
646.53	*acre-inches*
46.18	*inches/acre*

Process wastewater applied	
0.00	*gallons*
0.00	*acre-inches*
0.00	*inches/acre*

Total harvests for the crop	
1	*harvests*

FIELD 6 - 11/15/2021: Almond Field Run

Field name: FIELD 6 Crop: Almond Field Run Plant date: 11/15/2021

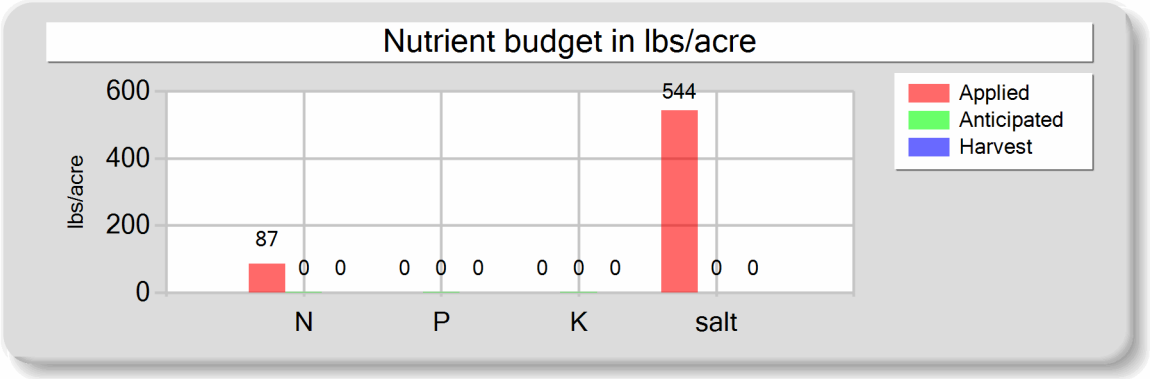

	Total N (lbs/acre)	Total P (lbs/acre)	Total K (lbs/acre)	Total salt (lbs/acre)
Existing soil nutrient content	0.00	0.00	0.00	0.00
Plowdown credit	0.00	0.00	0.00	0.00
Commercial fertilizer / Other	62.40	0.00	0.00	0.00
Dry manure	0.00	0.00	0.00	0.00
Process wastewater	0.00	0.00	0.00	0.00
Fresh water	10.57	0.00	0.00	544.07
Atmospheric deposition	14.00	0.00	0.00	0.00
Total nutrients applied	86.97	0.00	0.00	544.07
Anticipated crop nutrient removal	0.10	0.01	0.01	0.00
Actual crop nutrient removal	0.00	0.00	0.00	0.00
Nutrient balance	86.97	0.00	0.00	544.07
Applied to removed ratio	0.00	0.00	0.00	0.00

Fresh water applied	
7,522,800.00	*gallons*
277.04	*acre-inches*
46.17	*inches/acre*

Process wastewater applied	
0.00	*gallons*
0.00	*acre-inches*
0.00	*inches/acre*

Total harvests for the crop	
1	*harvests*

FIELD 7 - 10/26/2022: Oats, silage-soft dough

Field name: FIELD 7 Crop: Oats, silage-soft dough Plant date: 10/26/2022

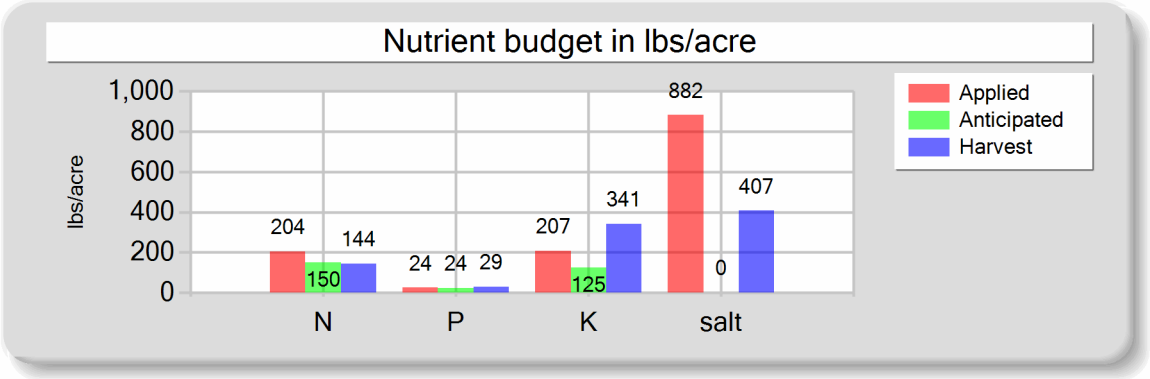

	Total N (lbs/acre)	Total P (lbs/acre)	Total K (lbs/acre)	Total salt (lbs/acre)
Existing soil nutrient content	0.00	0.00	0.00	0.00
Plowdown credit	0.00	0.00	0.00	0.00
Commercial fertilizer / Other	0.00	0.00	0.00	0.00
Dry manure	0.00	0.00	0.00	0.00
Process wastewater	196.98	24.48	206.65	881.99
Fresh water	0.00	0.00	0.00	0.00
Atmospheric deposition	7.00	0.00	0.00	0.00
Total nutrients applied	203.98	24.48	206.65	881.99
Anticipated crop nutrient removal	150.00	24.00	124.50	0.00
Actual crop nutrient removal	143.58	29.08	340.60	407.15
Nutrient balance	60.40	-4.60	-133.95	474.84
Applied to removed ratio	1.42	0.84	0.61	2.17

Fresh water applied	
0.00	*gallons*
0.00	*acre-inches*
0.00	*inches/acre*

Process wastewater applied	
804,000.00	*gallons*
29.61	*acre-inches*
0.90	*inches/acre*

Total harvests for the crop	
1	*harvests*

FIELD 7 - 06/04/2023: Sudangrass, silage

Field name: FIELD 7 Crop: Sudangrass, silage Plant date: 06/04/2023

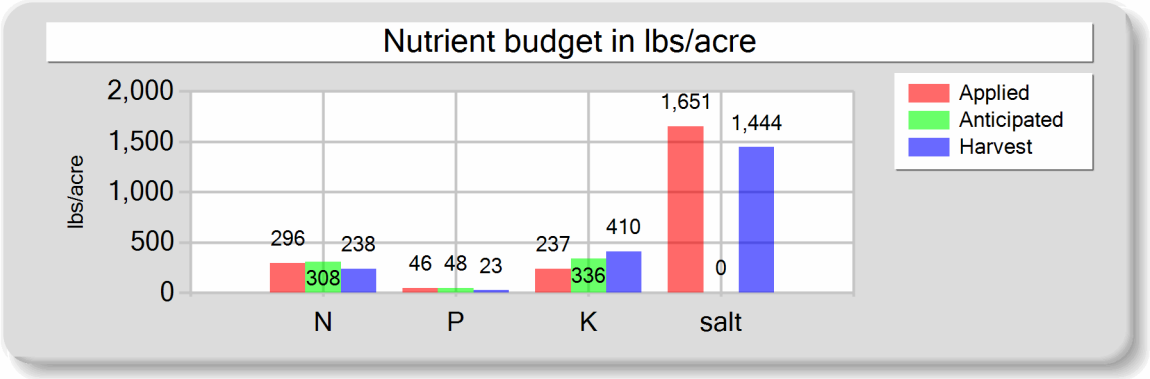

	Total N (lbs/acre)	Total P (lbs/acre)	Total K (lbs/acre)	Total salt (lbs/acre)
Existing soil nutrient content	0.00	0.00	0.00	0.00
Plowdown credit	0.00	0.00	0.00	0.00
Commercial fertilizer / Other	0.00	0.00	0.00	0.00
Dry manure	0.00	0.00	0.00	0.00
Process wastewater	281.38	45.77	237.01	1,260.94
Fresh water	7.57	0.00	0.00	389.84
Atmospheric deposition	7.00	0.00	0.00	0.00
Total nutrients applied	295.95	45.77	237.01	1,650.78
Anticipated crop nutrient removal	308.00	47.60	336.00	0.00
Actual crop nutrient removal	237.59	22.74	409.95	1,444.11
Nutrient balance	58.36	23.03	-172.94	206.67
Applied to removed ratio	1.25	2.01	0.58	1.14

Fresh water applied	
29,646,000.00	*gallons*
1,091.76	*acre-inches*
33.08	*inches/acre*

Process wastewater applied	
4,617,000.00	*gallons*
170.03	*acre-inches*
5.15	*inches/acre*

Total harvests for the crop	
1	*harvests*

FIELD 8 - 10/26/2022: Oats, silage-soft dough

Field name: FIELD 8 Crop: Oats, silage-soft dough Plant date: 10/26/2022

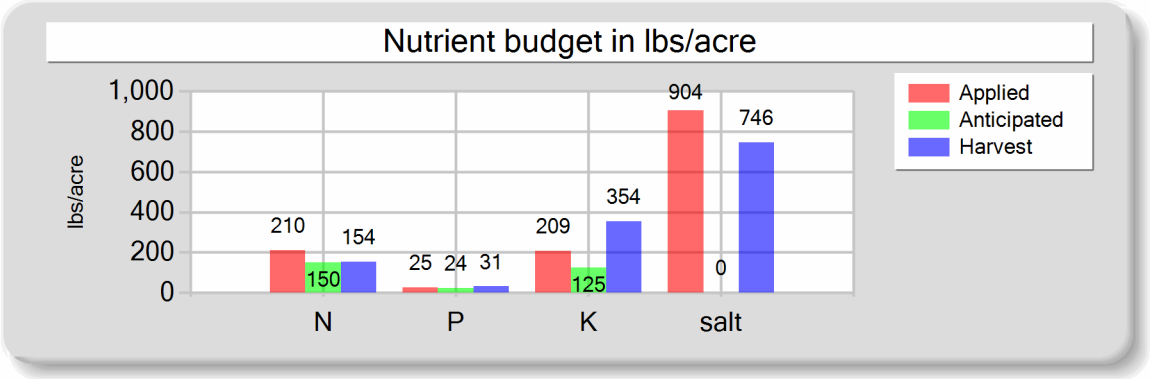

	Total N (lbs/acre)	Total P (lbs/acre)	Total K (lbs/acre)	Total salt (lbs/acre)
Existing soil nutrient content	0.00	0.00	0.00	0.00
Plowdown credit	0.00	0.00	0.00	0.00
Commercial fertilizer / Other	0.00	0.00	0.00	0.00
Dry manure	0.00	0.00	0.00	0.00
Process wastewater	202.65	25.18	208.78	904.44
Fresh water	0.00	0.00	0.00	0.00
Atmospheric deposition	7.00	0.00	0.00	0.00
Total nutrients applied	209.65	25.18	208.78	904.44
Anticipated crop nutrient removal	150.00	24.00	124.50	0.00
Actual crop nutrient removal	154.36	30.60	354.28	746.47
Nutrient balance	55.28	-5.42	-145.50	157.97
Applied to removed ratio	1.36	0.82	0.59	1.21

Fresh water applied	
0.00	*gallons*
0.00	*acre-inches*
0.00	*inches/acre*

Process wastewater applied	
2,512,000.00	*gallons*
92.51	*acre-inches*
0.94	*inches/acre*

Total harvests for the crop	
1	*harvests*

FIELD 8 - 06/06/2023: Sudangrass, silage

Field name: FIELD 8 Crop: Sudangrass, silage Plant date: 06/06/2023

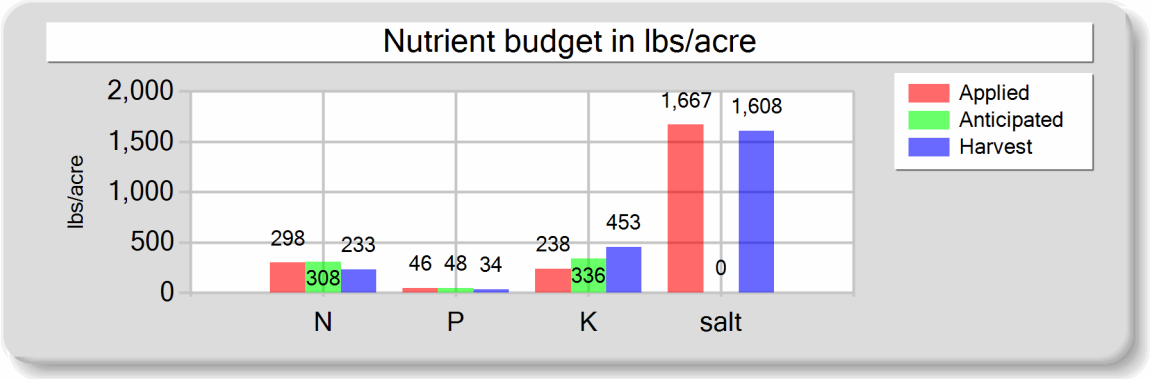

	Total N (lbs/acre)	Total P (lbs/acre)	Total K (lbs/acre)	Total salt (lbs/acre)
Existing soil nutrient content	0.00	0.00	0.00	0.00
Plowdown credit	0.00	0.00	0.00	0.00
Commercial fertilizer / Other	0.00	0.00	0.00	0.00
Dry manure	0.00	0.00	0.00	0.00
Process wastewater	283.08	46.04	238.44	1,268.57
Fresh water	7.75	0.00	0.00	398.84
Atmospheric deposition	7.00	0.00	0.00	0.00
Total nutrients applied	297.83	46.04	238.44	1,667.40
Anticipated crop nutrient removal	308.00	47.60	336.00	0.00
Actual crop nutrient removal	232.62	34.09	452.69	1,607.66
Nutrient balance	65.20	11.96	-214.24	59.74
Applied to removed ratio	1.28	1.35	0.53	1.04

Fresh water applied	
90,072,000.00	*gallons*
3,317.05	*acre-inches*
33.85	*inches/acre*

Process wastewater applied	
13,794,000.00	*gallons*
507.99	*acre-inches*
5.18	*inches/acre*

Total harvests for the crop	
1	*harvests*

FIELD 9 - 10/26/2022: Oats, silage-soft dough

Field name: FIELD 9 Crop: Oats, silage-soft dough Plant date: 10/26/2022

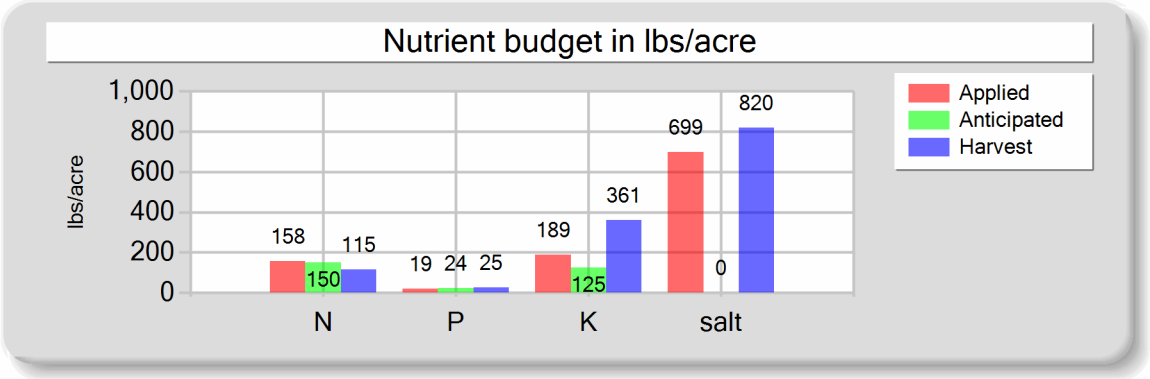

	Total N (lbs/acre)	Total P (lbs/acre)	Total K (lbs/acre)	Total salt (lbs/acre)
Existing soil nutrient content	0.00	0.00	0.00	0.00
Plowdown credit	0.00	0.00	0.00	0.00
Commercial fertilizer / Other	0.00	0.00	0.00	0.00
Dry manure	0.00	0.00	0.00	0.00
Process wastewater	150.71	18.81	189.26	698.64
Fresh water	0.00	0.00	0.00	0.00
Atmospheric deposition	7.00	0.00	0.00	0.00
Total nutrients applied	157.71	18.81	189.26	698.64
Anticipated crop nutrient removal	150.00	24.00	124.50	0.00
Actual crop nutrient removal	114.75	25.40	361.08	820.08
Nutrient balance	42.96	-6.59	-171.82	-121.44
Applied to removed ratio	1.37	0.74	0.52	0.85

Fresh water applied	
0.00	*gallons*
0.00	*acre-inches*
0.00	*inches/acre*

Process wastewater applied	
896,000.00	*gallons*
33.00	*acre-inches*
0.52	*inches/acre*

Total harvests for the crop	
1	*harvests*

FIELD 9 - 06/28/2023: Corn, silage

Field name: FIELD 9 Crop: Corn, silage Plant date: 06/28/2023

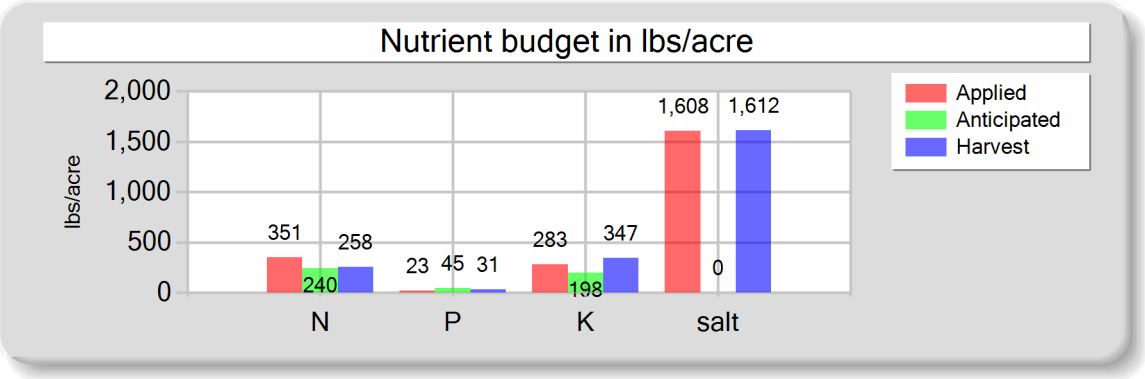

	Total N (lbs/acre)	Total P (lbs/acre)	Total K (lbs/acre)	Total salt (lbs/acre)
Existing soil nutrient content	0.00	0.00	0.00	0.00
Plowdown credit	0.00	0.00	0.00	0.00
Commercial fertilizer / Other	0.00	0.00	0.00	0.00
Dry manure	0.00	0.00	0.00	0.00
Process wastewater	337.45	22.62	282.60	1,253.38
Fresh water	6.89	0.00	0.00	354.79
Atmospheric deposition	7.00	0.00	0.00	0.00
Total nutrients applied	351.34	22.62	282.60	1,608.17
Anticipated crop nutrient removal	240.00	45.00	198.00	0.00
Actual crop nutrient removal	258.13	31.44	346.61	1,612.11
Nutrient balance	93.21	-8.82	-64.01	-3.95
Applied to removed ratio	1.36	0.72	0.82	1.00

Fresh water applied	
52,326,200.00	*gallons*
1,927.00	*acre-inches*
30.11	*inches/acre*

Process wastewater applied	
3,876,000.00	*gallons*
142.74	*acre-inches*
2.23	*inches/acre*

Total harvests for the crop	
1	*harvests*

NUTRIENT ANALYSES

A. MANURE ANALYSES

Corral Solids

Sample and source description: Corral Solids

Sample date: 04/19/2023 Material type: Corral solids Source of analysis: Lab analysis Method of reporting: Dry-weight

Moisture: 49.9 %

	Total N (mg/kg)	Total P (mg/kg)	Total K (mg/kg)	Calcium (mg/kg)	Magnesium (mg/kg)	Sodium (mg/kg)	Sulfur (mg/kg)	Chloride (mg/kg)	Total salt (mg/kg)	TFS (%)
Value	15,000.00	5,200.00	21,100.00							55.50
DL	100.00	100.00	100.00							0.01

Separator Solids

Sample and source description: Separator Solids

Sample date: 04/19/2023 Material type: Separator solids Source of analysis: Lab analysis Method of reporting: As-is

Moisture: 78.3 %

	Total N (mg/kg)	Total P (mg/kg)	Total K (mg/kg)	Calcium (mg/kg)	Magnesium (mg/kg)	Sodium (mg/kg)	Sulfur (mg/kg)	Chloride (mg/kg)	Total salt (mg/kg)	TFS (%)
Value	22,100.00	4,990.00	9,540.00							12.80
DL	100.00	100.00	100.00							0.01

Corral Solids

Sample and source description: Corral Solids

Sample date: 10/11/2023 Material type: Corral solids Source of analysis: Lab analysis Method of reporting: Dry-weight

Moisture: 48.8 %

	Total N (mg/kg)	Total P (mg/kg)	Total K (mg/kg)	Calcium (mg/kg)	Magnesium (mg/kg)	Sodium (mg/kg)	Sulfur (mg/kg)	Chloride (mg/kg)	Total salt (mg/kg)	TFS (%)
Value	25,900.00	6,640.00	37,000.00							27.90
DL	100.00	100.00	100.00							0.01

Separator Solids

Sample and source description: Separator Solids

Sample date: 10/11/2023 Material type: Separator solids Source of analysis: Lab analysis Method of reporting: As-is

Moisture: 58.4 %

	Total N (mg/kg)	Total P (mg/kg)	Total K (mg/kg)	Calcium (mg/kg)	Magnesium (mg/kg)	Sodium (mg/kg)	Sulfur (mg/kg)	Chloride (mg/kg)	Total salt (mg/kg)	TFS (%)
Value	13,900.00	2,020.00	7,690.00							6.65
DL	100.00	100.00	100.00							0.01

B. PROCESS WASTEWATER ANALYSES

Slurry

Sample and source description: Slurry

Sample date: 10/12/2022 Material type: Process wastewater sludge Source of analysis: Lab analysis pH:

	Kjeldahl-N (mg/L)	NH4-N (mg/L)	NH3-N (mg/L)	Nitrate-N (mg/L)	Total P (mg/L)	Total K (mg/L)	Calcium (mg/L)	Magnes. (mg/L)	Sodium (mg/L)	Bicarb. (mg/L)	Carb. (mg/L)	Sulfate (mg/L)	Chloride (mg/L)	EC (µmhos/cm)	TDS (mg/L)
Value	1,290.00	770.00	0.00	0.00	161.00	1,620.00								8,900.00	5,980
DL	0.50	0.50	0.50	0.50	0.50	0.50								1.00	10

1QWW

Sample and source description: 1QWW

Sample date: 02/23/2023 Material type: Process wastewater Source of analysis: Lab analysis pH:

	Kjeldahl-N (mg/L)	NH4-N (mg/L)	NH3-N (mg/L)	Nitrate-N (mg/L)	Total P (mg/L)	Total K (mg/L)	Calcium (mg/L)	Magnes. (mg/L)	Sodium (mg/L)	Bicarb. (mg/L)	Carb. (mg/L)	Sulfate (mg/L)	Chloride (mg/L)	EC (µmhos/cm)	TDS (mg/L)
Value	535.00	134.00	0.00	0.00	65.60	201.00								2,430.00	2,120
DL	0.50	0.50	0.50	0.50	0.50	0.50								1.00	10

2QWW

Sample and source description: 2QWW

Sample date: 04/12/2023 Material type: Process wastewater Source of analysis: Lab analysis pH:

	Kjeldahl-N (mg/L)	NH4-N (mg/L)	NH3-N (mg/L)	Nitrate-N (mg/L)	Total P (mg/L)	Total K (mg/L)	Calcium (mg/L)	Magnes. (mg/L)	Sodium (mg/L)	Bicarb. (mg/L)	Carb. (mg/L)	Sulfate (mg/L)	Chloride (mg/L)	EC (µmhos/cm)	TDS (mg/L)
Value	1,070.00	316.00	0.00	0.00	50.00	895.00								4,080.00	3,800
DL	0.50	0.50	0.50	0.50	0.50	0.50								1.00	10

3QWW

Sample and source description: 3QWW

Sample date: 07/27/2023 Material type: Process wastewater Source of analysis: Lab analysis pH:

	Kjeldahl-N (mg/L)	NH4-N (mg/L)	NH3-N (mg/L)	Nitrate-N (mg/L)	Total P (mg/L)	Total K (mg/L)	Calcium (mg/L)	Magnes. (mg/L)	Sodium (mg/L)	Bicarb. (mg/L)	Carb. (mg/L)	Sulfate (mg/L)	Chloride (mg/L)	EC (µmhos/cm)	TDS (mg/L)
Value	241.00	81.20	0.00	0.00	39.20	203.00								1,350.00	1,080
DL	0.50	0.50	0.50	0.50	0.50	0.50								1.00	10

4QWW

Sample and source description: 4QWW

Sample date: 11/01/2023 Material type: Process wastewater Source of analysis: Lab analysis pH:

	Kjeldahl-N (mg/L)	NH4-N (mg/L)	NH3-N (mg/L)	Nitrate-N (mg/L)	Total P (mg/L)	Total K (mg/L)	Calcium (mg/L)	Magnes. (mg/L)	Sodium (mg/L)	Bicarb. (mg/L)	Carb. (mg/L)	Sulfate (mg/L)	Chloride (mg/L)	EC (µmhos/cm)	TDS (mg/L)
Value	535.00	378.00	0.00	0.00	31.30	831.00								7,190.00	6,500
DL	0.50	0.50	0.50	0.50	0.50	0.50								1.00	10

C. FRESH WATER ANALYSES

Canal OID

Canal OID

Fresh Water

Sample description: Fresh Water

Sample date: 08/17/2023 Source of analysis: Lab analysis

	Total N (mg/L)	NH4-N (mg/L)	Nitrate-N (mg/L)	Calcium (mg/L)	Magnesium (mg/L)	Sodium (mg/L)	Bicarbonate (mg/L)	Carbonate (mg/L)	Sulfate (mg/L)	Chloride (mg/L)	EC (µmhos/cm)	TDS (mg/L)
Value	1.01	0.00	0.00								70.90	52
DL	0.50	0.50	0.50								1.00	10

D. SOIL ANALYSES

FIELD 1

Soils

Sample and source description: Soils

Sample date: 10/25/2023 Source of analysis: Lab analysis

	Nitrate-N (mg/kg)	Total P (mg/kg)	Soluble P (mg/kg)	K (mg/kg)	EC (µmhos/cm)	Organic matter (%)	Total salt (mg/kg)
Value			106.00				
DL			4.00				

Field 10

Soils

Sample and source description: Soils

Sample date: 10/25/2023 Source of analysis: Lab analysis

	Nitrate-N (mg/kg)	Total P (mg/kg)	Soluble P (mg/kg)	K (mg/kg)	EC (µmhos/cm)	Organic matter (%)	Total salt (mg/kg)
Value			130.00				
DL			4.00				

FIELD 4

FIELD 4

Soils

Sample and source description: Soils

Sample date: 10/25/2023 Source of analysis: Lab analysis

	Nitrate-N (mg/kg)	Total P (mg/kg)	Soluble P (mg/kg)	K (mg/kg)	EC (µmhos/cm)	Organic matter (%)	Total salt (mg/kg)
Value			96.00				
DL			4.00				

FIELD 6

Soils

Sample and source description: Soils

Sample date: 10/25/2023 Source of analysis: Lab analysis

	Nitrate-N (mg/kg)	Total P (mg/kg)	Soluble P (mg/kg)	K (mg/kg)	EC (µmhos/cm)	Organic matter (%)	Total salt (mg/kg)
Value			96.00				
DL			4.00				

FIELD 7

Soils

Sample and source description: Soils

Sample date: 10/25/2023 Source of analysis: Lab analysis

	Nitrate-N (mg/kg)	Total P (mg/kg)	Soluble P (mg/kg)	K (mg/kg)	EC (µmhos/cm)	Organic matter (%)	Total salt (mg/kg)
Value			112.00				
DL			4.00				

FIELD 8

FIELD 8

Soils

Sample and source description: Soils

Sample date: 10/25/2023 Source of analysis: Lab analysis

	Nitrate-N (mg/kg)	Total P (mg/kg)	Soluble P (mg/kg)	K (mg/kg)	EC (µmhos/cm)	Organic matter (%)	Total salt (mg/kg)
Value			130.00				
DL			4.00				

FIELD 9

Soils

Sample and source description: Soils

Sample date: 10/25/2023 Source of analysis: Lab analysis

	Nitrate-N (mg/kg)	Total P (mg/kg)	Soluble P (mg/kg)	K (mg/kg)	EC (µmhos/cm)	Organic matter (%)	Total salt (mg/kg)
Value			119.00				
DL			4.00				

E. PLANT TISSUE ANALYSES

FIELD 7 - 10/26/2022: Oats, silage-soft dough

Forage

Sample and source description: Forage

Sample date: 05/09/2023 Source of analysis: Lab analysis Method of reporting: As-is

Moisture: 63.0 %

	Total N (mg/kg)	Total P (mg/kg)	Total K (mg/kg)	Total salt (mg/kg)	TFS (%)
Value	5,480.00	1,110.00	13,000.00		4.20
DL	100.00	100.00	100.00		0.01

FIELD 7 - 06/04/2023: Sudangrass, silage

FIELD 7 - 06/04/2023: Sudangrass, silage

Sudan

Sample and source description: Sudan

Sample date: 10/11/2023 Source of analysis: Lab analysis Method of reporting: As-is

Moisture: 81.0 %

	Total N (mg/kg)	Total P (mg/kg)	Total K (mg/kg)	Total salt (mg/kg)	TFS (%)
Value	3,970.00	380.00	6,850.00		12.70
DL	100.00	100.00	100.00		0.01

FIELD 8 - 10/26/2022: Oats, silage-soft dough

Forage

Sample and source description: Forage

Sample date: 05/09/2023 Source of analysis: Lab analysis Method of reporting: As-is

Moisture: 61.0 %

	Total N (mg/kg)	Total P (mg/kg)	Total K (mg/kg)	Total salt (mg/kg)	TFS (%)
Value	6,710.00	1,330.00	15,400.00		8.32
DL	100.00	100.00	100.00		0.01

FIELD 8 - 06/06/2023: Sudangrass, silage

Sudan

Sample and source description: Sudan

Sample date: 10/11/2023 Source of analysis: Lab analysis Method of reporting: As-is

Moisture: 81.2 %

	Total N (mg/kg)	Total P (mg/kg)	Total K (mg/kg)	Total salt (mg/kg)	TFS (%)
Value	3,890.00	570.00	7,570.00		14.30
DL	100.00	100.00	100.00		0.01

FIELD 9 - 10/26/2022: Oats, silage-soft dough

Forage

Sample and source description: Forage

Sample date: 05/09/2023 Source of analysis: Lab analysis Method of reporting: As-is

Moisture: 73.2 %

	Total N (mg/kg)	Total P (mg/kg)	Total K (mg/kg)	Total salt (mg/kg)	TFS (%)
Value	3,750.00	830.00	11,800.00		10.00
DL	100.00	100.00	100.00		0.01

FIELD 9 - 06/28/2023: Corn, silage

Corn Silage

Sample and source description: Corn Silage

Sample date: 10/18/2023 Source of analysis: Lab analysis Method of reporting: As-is

Moisture: 69.8 %

	Total N (mg/kg)	Total P (mg/kg)	Total K (mg/kg)	Total salt (mg/kg)	TFS (%)
Value	3,530.00	430.00	4,740.00		7.30
DL	100.00	100.00	100.00		0.01

F. SUBSURFACE (TILE) DRAINAGE ANALYSES

No subsurface (tile) drainage analyses entered.

NUTRIENT APPLICATIONS, POTENTIAL REMOVAL, AND BALANCE

A. SUMMARY OF NUTRIENT APPLICATIONS, POTENTIAL REMOVAL, AND BALANCE

	Total N (lbs)	Total P (lbs)	Total K (lbs)	Total salt (lbs)
Existing soil nutrient content	0.00	0.00	0.00	0.00
Plowdown credit	0.00	0.00	0.00	0.00
Commercial fertilizer / Other	8,548.80	0.00	0.00	0.00
Dry manure	0.00	0.00	0.00	0.00
Process wastewater	94,628.90	11,949.59	88,667.99	408,601.24
Fresh water	2,866.50	0.00	0.00	147,582.17
Atmospheric deposition	4,648.00	0.00	0.00	0.00
Total nutrients applied	110,692.20	11,949.59	88,667.99	556,183.41
Anticipated crop nutrient removal	84,971.70	13,796.97	80,966.87	0.00
Actual crop nutrient removal	74,367.65	11,686.98	149,143.12	447,457.08
Nutrient balance	36,324.54	262.61	-60,475.14	108,726.33
Applied to removed ratio	1.49	1.02	0.59	1.24

B. POUNDS OF NUTRIENT APPLIED VS. CROP REMOVAL

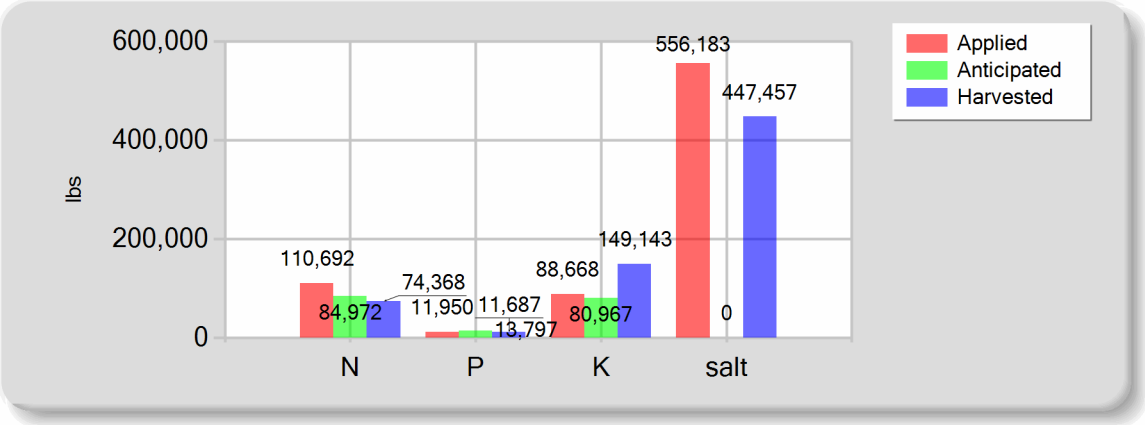

C. POUNDS OF NUTRIENT APPLIED BY MATERIAL TYPE

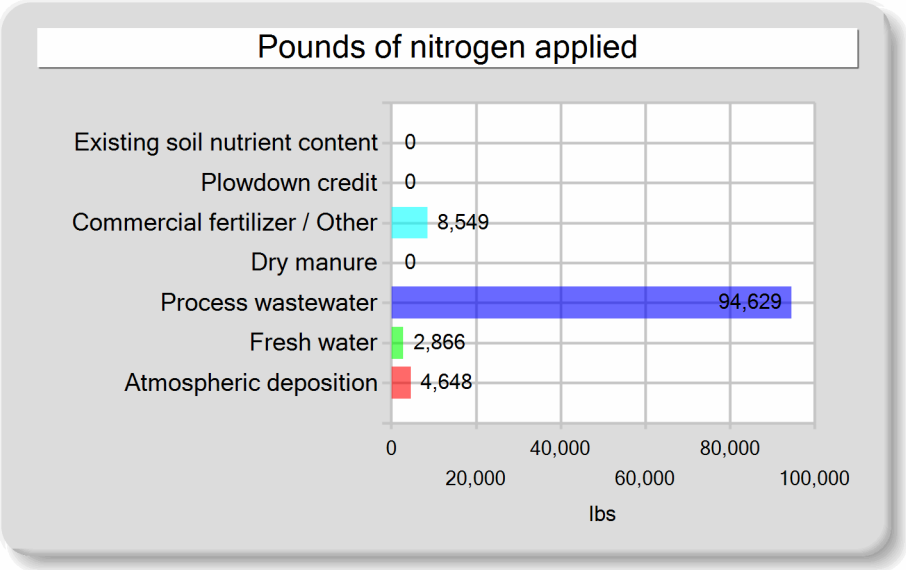

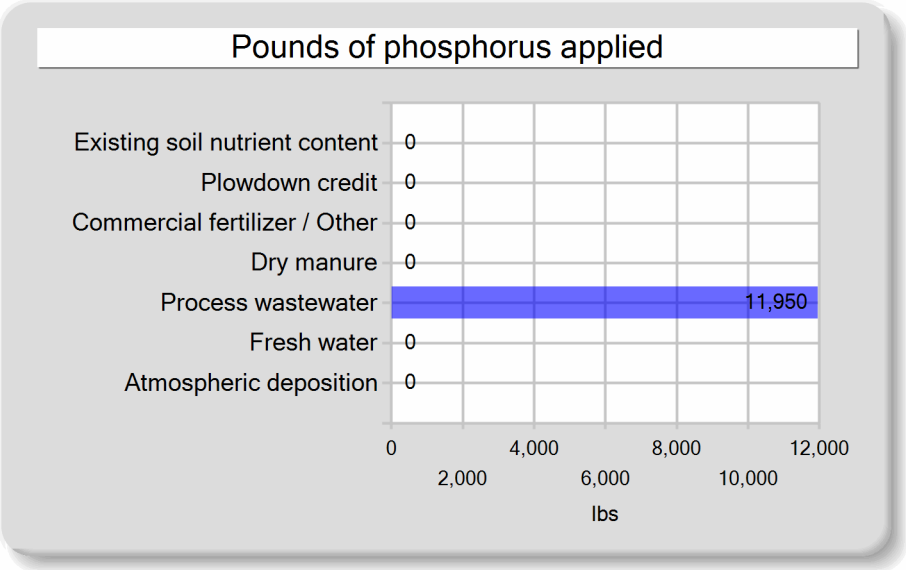

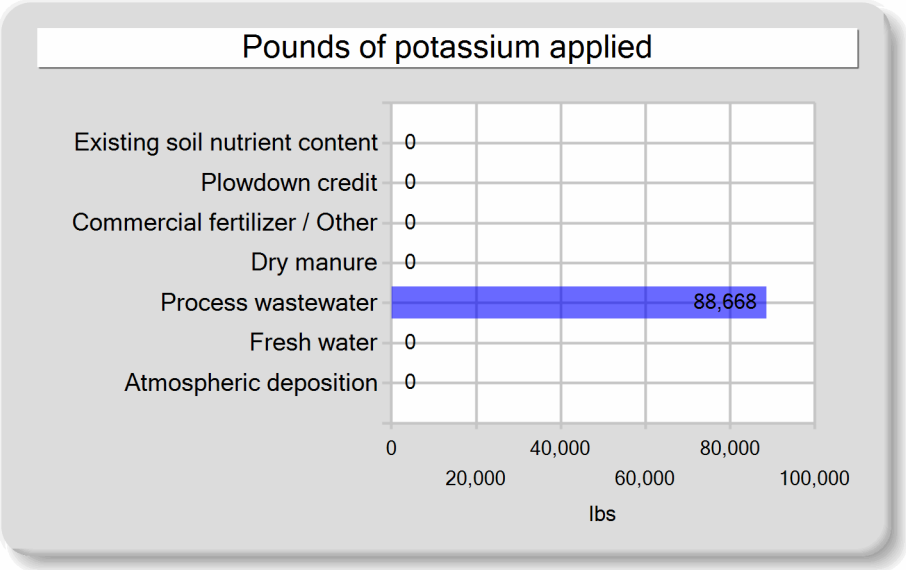

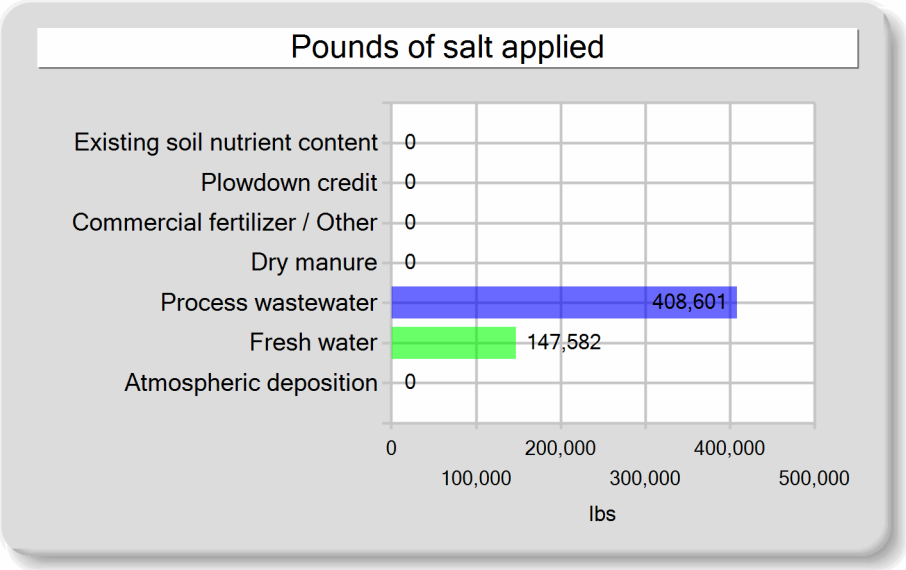

EXCEPTION REPORTING

A. MANURE, PROCESS WASTEWATER, AND OTHER DAIRY WASTE DISCHARGES

The following is a summary of all manure and process wastewater discharges from the production area to surface water or to land areas (land application areas or otherwise) when not in accordance with the facility's Nutrient Management Plan.

No manure or process wastewater discharges occurred during the reporting period.

B. STORM WATER DISCHARGES

The following is a summary of all storm water discharges from the production area to surface water during the reporting period when not in accordance with the facility 's Nutrient Management Plan.

No stormwater discharges occurred during the reporting period.

C. LAND APPLICATION AREA TO SURFACE WATER DISCHARGES

The following is a summary of all discharges from the land application area to surface water that have occurred during the reporting period when not in accordance with the facility's Nutrient Management Plan.

No land application area to surface water discharges occurred during the reporting period.

NUTRIENT MANAGEMENT PLAN AND EXPORT AGREEMENT STATEMENTS

A. NUTRIENT MANAGEMENT PLAN STATEMENTS

Was the facility's NMP updated in the reporting period?	Yes
Was the facility's NMP developed by a certified nutrient management planner (specialist) as specified in Attachment C of the General Order?	Yes
Was the facility's NMP approved by a certified nutrient management planner (specialist) as specified in Attachment C of the General Order?	Yes

B. EXPORT AGREEMENT STATEMENT

Are there any written agreements with third parties to receive manure or process wastewater that are new or were revised within the reporting period?	No

ADDITIONAL NOTES

A. NOTES

Field 7 Forage (1.42) had a high nitrogen field ratio as field failed to meet anticipated nitrogen removal of 150 pounds/acre. The subject field removed only 143.6 pounds of nitrogen/acre. Yield for the field of 13.1 ton acre was below anticipated 15 ton/acre which ultimately led to the high nitrogen field ratio. Nitrogen application to the field was not considered excessive but in-line with that recommended in the dairy's nutrient management plan.

CERTIFICATION

A. OWNER AND/OR OPERATOR CERTIFICATION

I certify under penalty of law that I have personally examined and am familiar with the information submitted in this document and all attachments and that, based on my inquiry of those individuals immediately responsible for obtaining the information, I believe that the information is true, accurate, and complete. I am aware that there are significant penalties for submitting false information, including the possibility of fine and imprisonment.

Brent Alger (Jun 18, 2024 08:38 PDT)

SIGNATURE OF OWNER OF FACILITY	SIGNATURE OF OPERATOR OF FACILITY
Brent Alger	SAME AS OWNER
PRINT OR TYPE NAME	PRINT OR TYPE NAME
Jun 18, 2024	
DATE	DATE

ATTACHMENTS

A. REQUIRED ATTACHMENTS

The following lists the required documents that should be attached to the Annual Report when submitted .

Annual Dairy Facility Assessment
Provide an Annual Dairy Facility Assessment (an update to the Preliminary Dairy Facility Assessment in Attachment A) for each reporting period. On the PDFA Final page, click on the ADFA Report button to generate an ADFA report after updating information as needed .

Manure/Process Wastewater Tracking Manifests
Provide copies of all manure/process wastewater tracking manifests for the reporting period, signed by both the owner/operator and the hauler.

Corrective Actions Documents
Provide records documenting any corrective actions taken to correct deficiencies noted as a result of the inspections required in the Monitoring Requirements of the General Order. Deficiencies not corrected in 30 days must be accompanied by an explanation of the factors preventing immediate correction.

Groundwater Monitoring
Dischargers that monitor supply wells or subsurface (tile) drainage systems, or that have monitoring well systems must submit monitoring results as directed in the General Order, Groundwater Reporting Section starting on page MRP-13.

Storm Water Monitoring
Dischargers that are required to monitor storm water more frequently than required in the General Order must submit monitoring results as directed in the General Order, Storm Water Reporting Section on page MRP-14.

ATTACHMENT D

Manure/Process Wastewater Tracking Manifest
For
Existing Milk Cow Dairies

Instructions:

1) Complete one manifest for each hauling event, for each destination. A hauling event may last for several days, as long as the manure is being hauled to the same destination.
2) If there are multiple destinations, **complete a separate form for each destination**.
3) The operator must obtain the signature of the hauler upon completion of each manure-hauling event.
4) The operator shall submit copies of manure/process wastewater tracking manifest(s) with the Annual Monitoring Report for Existing Milk Cow Dairies.

Operator Information:

Name of Operator: Brent Alger

Name of Dairy Facility: Cross A Dairy

Facility Address: 4125 Bentley Rd (Number and Street) Oakdale (City) 95361 (Zip Code)

Contact Person Name and Phone Number: Brent Alger (Name) 209-988-2567 (Phone Number)

Manure/Process Wastewater Hauler Information:

Name of Hauling Company/Person: Deniz Bros

Address of Hauling Company /Person: 5230 Patterson Rd (Number and Street) Oakdale (City) 95361 (Zip Code)

Contact Person: Albert Deniz (Name) 209 869-1083 (Phone Number)

Destination Information:

Composting Facility / Broker / Farmer / Other (identify) _____ (please circle one)

Contact information of Composting Facility, Broker, Farmer, or Other (as identified above): 209

Deniz Bros (Name) 5230 Patterson Rd (Number and Street) Oakdale (City) 95361 (Zip Code) 869-1083 (Phone Number)

Manure/Process Wastewater Destination Address or Assessor's Parcel Number:

5230 Patterson Road, (Number and Street) Oakdale, CA (City) 95361 (Zip Code) 062-025-026 (Assessor's Parcel Number)

Dates Hauled: 10/26/23

Amount Hauled:

Enter the amount of manure hauled in tons or cubic yards (indicate the units used), the manure solids content (if amount reported in tons) or manure density (if amount reported in cubic yards), and the method used to calculate the amount:

Manure: 2220 Tons or Cubic Yards (indicate which units used)

Manure Solids Content (if amount reported in tons): 48.8 % moisture

Manure Density (if amount reported in cubic yards): _____

Method used to determine amount of manure: 222 Loads @ 10T/Load

Enter the amount of process wastewater hauled in gallons and the method used to determine the amount.

Process Wastewater: _____ Gallons

Method used to determine volume of process wastewater: _____

Written Agreement:
Does the Operator have a written agreement (in compliance with Land Application Specification E.3 of Reissued Waste Discharge Requirements General Order No. R5-2007-0035-R) with any party that receives process wastewater from the Operator for its own use? (please check one)

____ Yes _____ No

If the answer is no, the Operator agrees to have such a written agreement with any such party for any process wastewater transferred after **31 December 2007** to such party.
_____ (Operator shall provide initials here to acknowledge this requirement).

Certification:
I declare under the penalty of law that I personally examined and am familiar with the information submitted in this document, and that based on my inquiry of those individuals immediately responsible for obtaining the information, I believe that the information is true, accurate, and complete. I am aware that there are significant penalties for submitting false information, including the possibility of a fine and imprisonment for knowing violations.

Operator's Signature: Brent Alger (Jun 18, 2024 08:38 PDT) Date: Jun 18, 2024

Hauler's Signature: _____ Date: 11-1-23

Denele Analytical, Inc.

865 South Kilroy Avenue Turlock, CA 95380
Phone (209) 634-9055 - Fax (209) 634-9057

www.denelelabs.com

40 N. East Street, Woodland, CA 95776
Phone (530) 666-9056 - Fax (530) 666-9058

Compliance Analysis Report

Customer
Cross A- Oakdale
5420 Dodds Rd.
Oakdale, CA 95361

Grower

Consultant:
F & R Ag Services
2857 Geer Rd. Ste A
Turlock, CA 95382

PURCHASE ORDER:
RECEIVED DATE: 8/22/23 1:30 PM
SUBMITTED BY: Jeanette
ANALYZED DATE: 8/25/23

Irrigation/ Ground Water (H1)
SOURCE: Well Water

NOTES: Temperature was above qualifying at 23.4c

Sample ID	Lab ID	Analyte	Method Ref	Result	Units
By Trees	T3234036A	Electrical Conductivity (EC)	EPA 120.1 and	0.413	mmhos/cm
		Nitrate Nitrogen (NO3-N)	EPA 353.2	0.630	mg/L
		Ammonia Nitrogen (NH3-N)	SM 4500-NH3 D,C	< 0.500	mg/L
		Soluble Salts (SALT-SOL)	Calculation	264	mg/L

Laboratory Quality Control	LCS %	MS %	MSD %	RPD %
Ammonia Nitrogen (NH3-N)	98.0	95.2 (T3234028A)	95.2 (T3234028A)	0.000
Electrical Conductivity (EC)	98.4			2.53
Nitrate Nitrogen (NO3-N)	103	99.9 (W3235002A)	99.9 (W3235002A)	0.060

The warranty of Denele Analytical is limited to the accuracy of the analyses of the samples as received. Denele Analytical assumes no responsibility for which the customer uses our test results, nor liability for any other warranties, express or implied. These terms and conditions shall supercede any conflicting terms and conditions submitted on customer purchase orders or other forms submitted for work.

ELAP Certificate No.: 2714

Denele Analytical, Inc.

865 South Kilroy Avenue Turlock, CA 95380
Phone (209) 634-9055 - Fax (209) 634-9057

www.denelelabs.com

40 N. East Street, Woodland, CA 95776
Phone (530) 666-9056 - Fax (530) 666-9058

Compliance Analysis Report

Customer
Cross A- Oakdale
5420 Dodds Rd.
Oakdale, CA 95361

Grower

Consultant:
F & R Ag Services
2857 Geer Rd. Ste A
Turlock, CA 95382

PURCHASE ORDER:
RECEIVED DATE: 8/22/23 1:30 PM
SUBMITTED BY: Jeanette
ANALYZED DATE: 8/25/23

Irrigation/ Ground Water (H1)
SOURCE: Well Water

NOTES: Temperature was above qualifying at 23.6c

Sample ID	Lab ID	Analyte	Method Ref	Result	Units
Dairy	T3234036B	Electrical Conductivity (EC)	EPA 120.1 and	0.415	mmhos/cm
		Nitrate Nitrogen (NO3-N)	EPA 353.2	7.54	mg/L
		Ammonia Nitrogen (NH3-N)	SM 4500-NH3 D,C	< 0.500	mg/L
		Soluble Salts (SALT-SOL)	Calculation	265	mg/L

Laboratory Quality Control	LCS %	MS %	MSD %	RPD %
Ammonia Nitrogen (NH3-N)	98.0	95.2 (T3234028A)	95.2 (T3234028A)	0.000
Electrical Conductivity (EC)	98.4			2.53
Nitrate Nitrogen (NO3-N)	103	99.9 (W3235002A)	99.9 (W3235002A)	0.060

The warranty of Denele Analytical is limited to the accuracy of the analyses of the samples as received. Denele Analytical assumes no responsibility for which the customer uses our test results, nor liability for any other warranties, express or implied. These terms and conditions shall supercede any conflicting terms and conditions submitted on customer purchase orders or other forms submitted for work.

Denele Analytical, Inc.

865 South Kilroy Avenue Turlock, CA 95380
Phone (209) 634-9055 - Fax (209) 634-9057

www.denelelabs.com

40 N. East Street, Woodland, CA 95776
Phone (530) 666-9056 - Fax (530) 666-9058

Compliance Analysis Report

Customer
Cross A- Oakdale
5420 Dodds Rd.
Oakdale, CA 95361

Grower

Consultant:
F & R Ag Services
2857 Geer Rd. Ste A
Turlock, CA 95382

PURCHASE ORDER:
RECEIVED DATE: 8/22/23 1:30 PM
SUBMITTED BY: Jeanette
ANALYZED DATE: 8/25/23

Irrigation/ Ground Water (H1)
SOURCE: Well Water

NOTES: Temperature was above qualifying at 23.8c

Sample ID	Lab ID	Analyte	Method Ref	Result	Units
Grey House	T3234036C	Electrical Conductivity (EC)	EPA 120.1 and	0.241	mmhos/cm
		Nitrate Nitrogen (NO3-N)	EPA 353.2	3.53	mg/L
		Ammonia Nitrogen (NH3-N)	SM 4500-NH3 D,C	< 0.500	mg/L
		Soluble Salts (SALT-SOL)	Calculation	154	mg/L

Laboratory Quality Control	LCS %	MS %	MSD %	RPD %
Ammonia Nitrogen (NH3-N)	98.0	95.2 (T3234028A)	95.2 (T3234028A)	0.000
Electrical Conductivity (EC)	98.4			2.53
Nitrate Nitrogen (NO3-N)	103	99.9 (W3235002A)	99.9 (W3235002A)	0.060

The warranty of Denele Analytical is limited to the accuracy of the analyses of the samples as received. Denele Analytical assumes no responsibility for which the customer uses our test results, nor liability for any other warranties, express or implied. These terms and conditions shall supercede any conflicting terms and conditions submitted on customer purchase orders or other forms submitted for work.

DENELE ANALYTICAL, INC.

865 S. KILROY
TURLOCK, CA 95380
PH# 209-634-9055 FAX# 209-634-9057

DAIRY COMPLIANCE

Client: C NOD A
Mailing address:
(not facility address)
Phone#:

Authorized Copy Released To: F&R Ag Services
Sampled By: Jeanette
Project ID:

ANALYSIS TO BE COMPLETED:

IRRIGATION/GROUND WATER
H1 EC*, NO3-N, NH4-N*
H6 EC, TN, TDS
H7 Combination of H1 & H6
H14 EC, NO3-N, NH4-N, Ca, Mg, Na, Bicarb Carb, SO4, Cl, TDS

PROCESS WASTE WATER
H3 EC*, NH4-N, TKN, TP, K, TDS
H4 EC*, NO3-N, NH4-N, TKN, TP, K, TDS
H5 Ca, Mg, Na, Bicarb, Carb, SO4, Cl
H8 Combination of H3 &H5
H9 Combination of H4 &H5

TILE DRAIN
H2 EC*, NO3-N, TP, NH4-N*, TDS

** Required Field Measurement*

___ (Check here if performed)

DISCHARGE WATER
E1 EC*, Temp*, pH*, NO3-N, NH4-N, TKN, TP, K, TDS, Dissolved Oxygen*, BOD 5, TSS, Total & Fecal Coliforms
E2 EC,* Temp*, pH*, NO3-N, NH4-N*, Turbidity, TP, Dissolved Oxygen*, Total & Fecal Coliforms
E3 EC*, Temp*, pH*, NO3-N, NH4-N*, TP, Total & Fecal Coliforms
E4 EC*, Temp*, pH*, NO3-N, NH4-N*, Turbidity, TP, Total & Fecal Coliform

MANURE
M1 % Moisture
M3 TN TP, K, % Moisture
M4 Ca, Mg, Na, Bicarb, Carb, SO4, Cl, Ash
M7 Combination of M3 & M4

PLANT TISSUE
F18 % Moisture, Ash, TN, P, K, DM and as received
F18+ % Moisture, Ash, TN, P, K, DM and as received (Package also includes NIR DCAD)
F19+ % Moisture, TN (Package includes complete plant tissue analysis)

SOIL
K3 Soluble Phosphorus
K4 1ft NO3, Organic Matter
K5 Pre-Plant (2ft NO3), Fall (1-2ft NO3), Fall (2-3ft NO3)
K6 0-1ft EC, NO3, Soluble P, K, Organic Matter
K7 Combination of K3 & K4
K8 Combination of K3 & K5

	Date Collected	Time Collected	Sample ID	Description	Temp	Well Purge	H1	H3	M3	F18	OTHER
1	8/22/23		Big Trees	Domestic	23.4°		✓				
2	↓		Dairy	↓	23.6°		✓				
3			Grey House		23.8°		✓				
4											
5											
6											
7											
8											
9											
10											

Analysis

CHAIN OF CUSTODY RECORDING

	Signature	Company	Received Date & Time	Relinquished Date & Time
1st	Jeanette Sawyer	F&R		
2nd		DENELE ANALYTICAL, INC.	8-22-23 1:30	

(LABORATORY USE ONLY)
Logged in By:
LABORATORY NUMBER: T3234036

Required to be submitted to any agency? (YES / NO)

2023 Annual Report Cross A

Final Audit Report 2024-06-18

Created:	2024-06-13
By:	Vince Furtado (vfurtado@fragservices.com)
Status:	Signed
Transaction ID:	CBJCHBCAABAA1t0R28caMzG1_2j2oC1Y6XqvOC3VlwiD

"2023 Annual Report Cross A" History

Document created by Vince Furtado (vfurtado@fragservices.com)
2024-06-13 - 7:53:16 PM GMT

Document emailed to cross.a.dairy@gmail.com for signature
2024-06-13 - 7:54:32 PM GMT

Email viewed by cross.a.dairy@gmail.com
2024-06-13 - 7:55:08 PM GMT

Signer cross.a.dairy@gmail.com entered name at signing as Brent Alger
2024-06-18 - 3:38:15 PM GMT

Document e-signed by Brent Alger (cross.a.dairy@gmail.com)
Signature Date: 2024-06-18 - 3:38:17 PM GMT - Time Source: server

Agreement completed.
2024-06-18 - 3:38:17 PM GMT