Annual Report - General Order No. R5-2007-0035
Reporting period 01/01/2023 to 12/31/2023.

DAIRY FACILITY INFORMATION

A. NAME OF DAIRY OR BUSINESS OPERATING THE DAIRY: Bently Ranch LLC

Physical address of dairy:

4206 Bentley RD	Oakdale	Stanislaus	95361
Number and Street	City	County	Zip Code

Street and nearest cross street (if no address):

Date facility was originally placed in operation: 01/01/2004

Regional Water Quality Control Board Basin Plan designation: San Joaquin River Basin

County Assessor Parcel Number(s) for dairy facility:

X014-X002-X024-XXXX X014-X002-X025-XXXX X014-X002-X028-XXXX X014-X002-X033-XXXX X014-X002-X034-XXXX X014-X002-X037-XXXX

B. OPERATORS

Bentley Ranch LLC

Operator name: Bentley Ranch LLC

Telephone no.: Landline: ; Cellular: (559) 260-6318

2900 Airport DR	Madera	CA	93637
Mailing Address Number and Street	City	State	Zip Code

This operator is responsible for paying permit fees.

C. OWNERS

Bentley Ranch LLC

Legal owner name: Bentley Ranch LLC

Telephone no.: Landline: ; Cellular: (559) 260-6318

2900 Airport DR	Madera	CA	93637
Mailing Address Number and Street	City	State	Zip Code

This owner is responsible for paying permit fees.

AVAILABLE NUTRIENTS

A. HERD INFORMATION

	Milk Cows	Dry Cows	Bred Heifers (15-24 mo.)	Heifers (7-14 mo. to breeding)	Calves (4-6 mo.)	Calves (0-3 mo.)
Number open confinement	0	0	0	0	0	0
Number under roof	0	0	0	0	0	0
Maximum number	0	0	0	0	0	0
Average number	0	0	0	0	0	0
Avg live weight (lbs)	0	0	0	0		

Predominant milk cow breed: Holstein

Average milk production: 1 *pounds per cow per day*

B. MANURE GENERATED

Total manure excreted by the herd: 1.00 *tons per reporting period*

Total nitrogen from manure: 1.00 *lbs per reporting period*

After ammonia losses (30% loss applied): 0.70 *lbs per reporting period*

Total phosphorus from manure: 1.00 *lbs per reporting period*

Total potassium from manure: 1.00 *lbs per reporting period*

Total salt from manure: 0.00 *lbs per reporting period*

C. PROCESS WASTEWATER GENERATED

Process wastewater generated: _____ *gallons*

Total nitrogen generated: _____ *lbs*

Total phosphorus generated: _____ *lbs*

Total potassium generated: _____ *lbs*

Total salt generated: _____ *lbs*

	0	*gallons applied*
+	0	*gallons exported*
-	0	*gallons imported*
=	0	*gallons generated*

D. FRESH WATER SOURCES

Source Description	Type
Oakdale Irrigation District Canal	Surface water

E. SUBSURFACE (TILE) DRAINAGE SOURCES

No subsurface (tile) drainage sources entered.

F. NUTRIENT IMPORTS

No dry manure nutrient imports entered.

No process wastewater nutrient imports entered.

No commercial or other nutrient imports entered.

G. NUTRIENT EXPORTS

No solid nutrient exports entered.

No liquid nutrient exports entered.

APPLICATION AREA

A. LIST OF LAND APPLICATION AREAS

Field name	Controlled acres	Cropable acres	Total harvests	Type of waste applied	Parcel number
Clover Field	25	25	1	none	X014-X002-X019-XXXX X014-X002-X020-XXXX X014-X002-X022-XXXX
Home Field North	63	63	1	none	X014-X002-X019-XXXX X014-X002-X022-XXXX X014-X002-X035-XXXX X014-X002-X037-XXXX
Totals for areas that were used for application					
Totals for areas that were not used for application	88	88	2		
Land application area totals	88	88	2		

B. CROPS AND HARVESTS

Clover Field

Field name: Clover Field

01/01/2023: Pasture

Crop: Pasture Acres planted: 25 Plant date: 01/01/2023

Harvest date	Yield	Reporting basis	Density (lbs/cu ft)	Moisture (%)	N (mg/kg)	P (mg/kg)	K (mg/kg)	Salt (mg/kg)	TFS (%)
10/20/2023	375.00 *ton*	As-is		70.0	9,200.00	1,300.00	9,250.00		12.00

	Yield (tons/acre)	Total N (lbs/acre)	Total P (lbs/acre)	Total K (lbs/acre)	Salt (lbs/acre)
Anticipated harvest content	15.00	276.00	39.00	283.50	15.00
Total actual harvest content	15.00	276.00	39.00	277.50	1,080.00

Home Field North

Field name: Home Field North

Home Field North

01/01/2023: Pasture

Crop: Pasture Acres planted: 63 Plant date: 01/01/2023

Harvest date	Yield	Reporting basis	Density (lbs/cu ft)	Moisture (%)	N (mg/kg)	P (mg/kg)	K (mg/kg)	Salt (mg/kg)	TFS (%)
10/20/2023	945.00 *ton*	As-is		70.0	9,200.00	1,300.00	9,525.00		12.00

	Yield (tons/acre)	Total N (lbs/acre)	Total P (lbs/acre)	Total K (lbs/acre)	Salt (lbs/acre)
Anticipated harvest content	15.00	276.00	39.00	283.50	15.00
Total actual harvest content	15.00	276.00	39.00	285.75	1,080.00

NUTRIENT BUDGET

A. LAND APPLICATIONS

Clover Field - 01/01/2023: Pasture

Field name: Clover Field

Crop: Pasture

Plant date: 01/01/2023

Application date	Application method	Precipitation 24 hours prior	Precipitation during application	Precipitation 24 hours following
04/10/2023	Surface (irrigation)	No precipitation	No precipitation	No precipitation

Source description	Material type	N (lbs/acre)	P (lbs/acre)	K (lbs/acre)	Salt (lbs/acre)	Amount
Oakdale Irrigation District Canal	Surface water	0.92	0.00	0.00	47.12	2,714,400.00 *gal*
Application event totals		0.92	0.00	0.00	47.12	

Application date	Application method	Precipitation 24 hours prior	Precipitation during application	Precipitation 24 hours following
05/04/2023	Surface (irrigation)	No precipitation	No precipitation	No precipitation

Source description	Material type	N (lbs/acre)	P (lbs/acre)	K (lbs/acre)	Salt (lbs/acre)	Amount
Oakdale Irrigation District Canal	Surface water	0.92	0.00	0.00	47.12	2,714,400.00 *gal*
Application event totals		0.92	0.00	0.00	47.12	

Application date	Application method	Precipitation 24 hours prior	Precipitation during application	Precipitation 24 hours following
05/24/2023	Surface (irrigation)	No precipitation	No precipitation	No precipitation

Source description	Material type	N (lbs/acre)	P (lbs/acre)	K (lbs/acre)	Salt (lbs/acre)	Amount
Oakdale Irrigation District Canal	Surface water	0.92	0.00	0.00	47.12	2,714,400.00 *gal*
Application event totals		0.92	0.00	0.00	47.12	

Application date	Application method	Precipitation 24 hours prior	Precipitation during application	Precipitation 24 hours following
06/11/2023	Surface (irrigation)	No precipitation	No precipitation	No precipitation

Source description	Material type	N (lbs/acre)	P (lbs/acre)	K (lbs/acre)	Salt (lbs/acre)	Amount
Oakdale Irrigation District Canal	Surface water	0.92	0.00	0.00	47.12	2,714,400.00 *gal*
Application event totals		0.92	0.00	0.00	47.12	

Application date	Application method	Precipitation 24 hours prior	Precipitation during application	Precipitation 24 hours following
06/24/2023	Surface (irrigation)	No precipitation	No precipitation	No precipitation

Source description	Material type	N (lbs/acre)	P (lbs/acre)	K (lbs/acre)	Salt (lbs/acre)	Amount
Oakdale Irrigation District Canal	Surface water	0.92	0.00	0.00	47.12	2,714,400.00 *gal*
Application event totals		0.92	0.00	0.00	47.12	

Clover Field - 01/01/2023: Pasture

Application date	Application method	Precipitation 24 hours prior	Precipitation during application	Precipitation 24 hours following
07/09/2023	Surface (irrigation)	No precipitation	No precipitation	No precipitation

Source description	Material type	N (lbs/acre)	P (lbs/acre)	K (lbs/acre)	Salt (lbs/acre)	Amount
Oakdale Irrigation District Canal	Surface water	0.92	0.00	0.00	47.12	2,714,400.00 *gal*
Application event totals		0.92	0.00	0.00	47.12	

Application date	Application method	Precipitation 24 hours prior	Precipitation during application	Precipitation 24 hours following
07/23/2023	Surface (irrigation)	No precipitation	No precipitation	No precipitation

Source description	Material type	N (lbs/acre)	P (lbs/acre)	K (lbs/acre)	Salt (lbs/acre)	Amount
Oakdale Irrigation District Canal	Surface water	0.92	0.00	0.00	47.12	2,714,400.00 *gal*
Application event totals		0.92	0.00	0.00	47.12	

Application date	Application method	Precipitation 24 hours prior	Precipitation during application	Precipitation 24 hours following
08/08/2023	Surface (irrigation)	No precipitation	No precipitation	No precipitation

Source description	Material type	N (lbs/acre)	P (lbs/acre)	K (lbs/acre)	Salt (lbs/acre)	Amount
Oakdale Irrigation District Canal	Surface water	0.92	0.00	0.00	47.12	2,714,400.00 *gal*
Application event totals		0.92	0.00	0.00	47.12	

Application date	Application method	Precipitation 24 hours prior	Precipitation during application	Precipitation 24 hours following
08/23/2023	Surface (irrigation)	No precipitation	No precipitation	No precipitation

Source description	Material type	N (lbs/acre)	P (lbs/acre)	K (lbs/acre)	Salt (lbs/acre)	Amount
Oakdale Irrigation District Canal	Surface water	0.92	0.00	0.00	47.12	2,714,400.00 *gal*
Application event totals		0.92	0.00	0.00	47.12	

Application date	Application method	Precipitation 24 hours prior	Precipitation during application	Precipitation 24 hours following
09/07/2023	Surface (irrigation)	No precipitation	No precipitation	No precipitation

Source description	Material type	N (lbs/acre)	P (lbs/acre)	K (lbs/acre)	Salt (lbs/acre)	Amount
Oakdale Irrigation District Canal	Surface water	0.92	0.00	0.00	47.12	2,714,400.00 *gal*
Application event totals		0.92	0.00	0.00	47.12	

Application date	Application method	Precipitation 24 hours prior	Precipitation during application	Precipitation 24 hours following
09/22/2023	Surface (irrigation)	No precipitation	No precipitation	No precipitation

Source description	Material type	N (lbs/acre)	P (lbs/acre)	K (lbs/acre)	Salt (lbs/acre)	Amount
Oakdale Irrigation District Canal	Surface water	0.92	0.00	0.00	47.12	2,714,400.00 *gal*
Application event totals		0.92	0.00	0.00	47.12	

Clover Field - 01/01/2023: Pasture

Application date	Application method	Precipitation 24 hours prior	Precipitation during application	Precipitation 24 hours following
10/07/2023	Surface (irrigation)	No precipitation	No precipitation	No precipitation

Source description	Material type	N (lbs/acre)	P (lbs/acre)	K (lbs/acre)	Salt (lbs/acre)	Amount
Oakdale Irrigation District Canal	Surface water	0.92	0.00	0.00	47.12	2,714,400.00 *gal*
Application event totals		0.92	0.00	0.00	47.12	

Home Field North - 01/01/2023: Pasture

Field name: Home Field North

Crop: Pasture

Plant date: 01/01/2023

Application date	Application method	Precipitation 24 hours prior	Precipitation during application	Precipitation 24 hours following
04/12/2023	Surface (irrigation)	No precipitation	No precipitation	No precipitation

Source description	Material type	N (lbs/acre)	P (lbs/acre)	K (lbs/acre)	Salt (lbs/acre)	Amount
Oakdale Irrigation District Canal	Surface water	0.92	0.00	0.00	47.13	6,842,800.00 *gal*
Application event totals		0.92	0.00	0.00	47.13	

05/06/2023	Surface (irrigation)	No precipitation	No precipitation	No precipitation

Source description	Material type	N (lbs/acre)	P (lbs/acre)	K (lbs/acre)	Salt (lbs/acre)	Amount
Oakdale Irrigation District Canal	Surface water	0.92	0.00	0.00	47.13	6,842,800.00 *gal*
Application event totals		0.92	0.00	0.00	47.13	

05/26/2023	Surface (irrigation)	No precipitation	No precipitation	No precipitation

Source description	Material type	N (lbs/acre)	P (lbs/acre)	K (lbs/acre)	Salt (lbs/acre)	Amount
Oakdale Irrigation District Canal	Surface water	0.92	0.00	0.00	47.13	6,842,800.00 *gal*
Application event totals		0.92	0.00	0.00	47.13	

06/13/2023	Subsurface (irrigation)	No precipitation	No precipitation	No precipitation

Source description	Material type	N (lbs/acre)	P (lbs/acre)	K (lbs/acre)	Salt (lbs/acre)	Amount
Oakdale Irrigation District Canal	Surface water	0.92	0.00	0.00	47.13	6,842,800.00 *gal*
Application event totals		0.92	0.00	0.00	47.13	

Home Field North - 01/01/2023: Pasture

Application date	Application method	Precipitation 24 hours prior	Precipitation during application	Precipitation 24 hours following
06/26/2023	Surface (irrigation)	No precipitation	No precipitation	No precipitation

Source description	Material type	N (lbs/acre)	P (lbs/acre)	K (lbs/acre)	Salt (lbs/acre)	Amount
Oakdale Irrigation District Canal	Surface water	0.92	0.00	0.00	47.13	6,842,800.00 *gal*
Application event totals		0.92	0.00	0.00	47.13	

Application date	Application method	Precipitation 24 hours prior	Precipitation during application	Precipitation 24 hours following
07/11/2023	Surface (irrigation)	No precipitation	No precipitation	No precipitation

Source description	Material type	N (lbs/acre)	P (lbs/acre)	K (lbs/acre)	Salt (lbs/acre)	Amount
Oakdale Irrigation District Canal	Surface water	0.92	0.00	0.00	47.13	6,842,800.00 *gal*
Application event totals		0.92	0.00	0.00	47.13	

Application date	Application method	Precipitation 24 hours prior	Precipitation during application	Precipitation 24 hours following
07/25/2023	Surface (irrigation)	No precipitation	No precipitation	No precipitation

Source description	Material type	N (lbs/acre)	P (lbs/acre)	K (lbs/acre)	Salt (lbs/acre)	Amount
Oakdale Irrigation District Canal	Surface water	0.92	0.00	0.00	47.13	6,842,800.00 *gal*
Application event totals		0.92	0.00	0.00	47.13	

Application date	Application method	Precipitation 24 hours prior	Precipitation during application	Precipitation 24 hours following
08/10/2023	Surface (irrigation)	No precipitation	No precipitation	No precipitation

Source description	Material type	N (lbs/acre)	P (lbs/acre)	K (lbs/acre)	Salt (lbs/acre)	Amount
Oakdale Irrigation District Canal	Surface water	0.92	0.00	0.00	47.13	6,842,800.00 *gal*
Application event totals		0.92	0.00	0.00	47.13	

Application date	Application method	Precipitation 24 hours prior	Precipitation during application	Precipitation 24 hours following
08/25/2023	Surface (irrigation)	No precipitation	No precipitation	No precipitation

Source description	Material type	N (lbs/acre)	P (lbs/acre)	K (lbs/acre)	Salt (lbs/acre)	Amount
Oakdale Irrigation District Canal	Surface water	0.92	0.00	0.00	47.13	6,842,800.00 *gal*
Application event totals		0.92	0.00	0.00	47.13	

Application date	Application method	Precipitation 24 hours prior	Precipitation during application	Precipitation 24 hours following
09/09/2023	Surface (irrigation)	No precipitation	No precipitation	No precipitation

Source description	Material type	N (lbs/acre)	P (lbs/acre)	K (lbs/acre)	Salt (lbs/acre)	Amount
Oakdale Irrigation District Canal	Surface water	0.92	0.00	0.00	47.13	6,842,800.00 *gal*
Application event totals		0.92	0.00	0.00	47.13	

Home Field North - 01/01/2023: Pasture

Application date	Application method	Precipitation 24 hours prior	Precipitation during application	Precipitation 24 hours following
09/24/2023	Surface (irrigation)	No precipitation	No precipitation	No precipitation

Source description	Material type	N (lbs/acre)	P (lbs/acre)	K (lbs/acre)	Salt (lbs/acre)	Amount
Oakdale Irrigation District Canal	Surface water	0.92	0.00	0.00	47.13	6,842,800.00 *gal*
Application event totals		0.92	0.00	0.00	47.13	

Application date	Application method	Precipitation 24 hours prior	Precipitation during application	Precipitation 24 hours following
10/09/2023	Surface (irrigation)	No precipitation	No precipitation	No precipitation

Source description	Material type	N (lbs/acre)	P (lbs/acre)	K (lbs/acre)	Salt (lbs/acre)	Amount
Oakdale Irrigation District Canal	Surface water	0.92	0.00	0.00	47.13	6,842,800.00 *gal*
Application event totals		0.92	0.00	0.00	47.13	

B. NUTRIENT BUDGET

Clover Field - 01/01/2023: Pasture

Field name: Clover Field Crop: Pasture Plant date: 01/01/2023

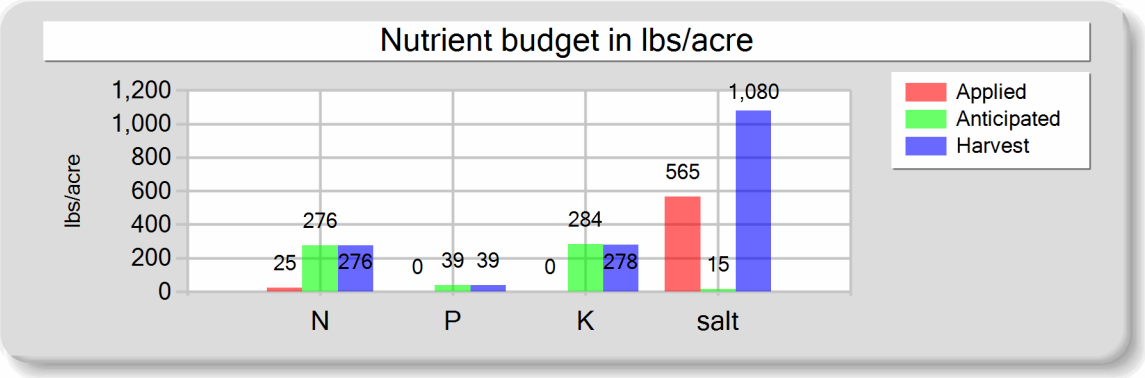

	Total N (lbs/acre)	Total P (lbs/acre)	Total K (lbs/acre)	Total salt (lbs/acre)
Existing soil nutrient content	0.00	0.00	0.00	0.00
Plowdown credit	0.00	0.00	0.00	0.00
Commercial fertilizer / Other	0.00	0.00	0.00	0.00
Dry manure	0.00	0.00	0.00	0.00
Process wastewater	0.00	0.00	0.00	0.00
Fresh water	10.98	0.00	0.00	565.39
Atmospheric deposition	14.00	0.00	0.00	0.00
Total nutrients applied	24.98	0.00	0.00	565.39
Anticipated crop nutrient removal	276.00	39.00	283.50	15.00
Actual crop nutrient removal	276.00	39.00	277.50	1,080.00
Nutrient balance	-251.02	-39.00	-277.50	-514.61
Applied to removed ratio	0.09	0.00	0.00	0.52

Fresh water applied	
32,572,800.00	*gallons*
1,199.55	*acre-inches*
47.98	*inches/acre*

Process wastewater applied	
0.00	*gallons*
0.00	*acre-inches*
0.00	*inches/acre*

Total harvests for the crop	
1	*harvests*

Home Field North - 01/01/2023: Pasture

Field name: Home Field North Crop: Pasture Plant date: 01/01/2023

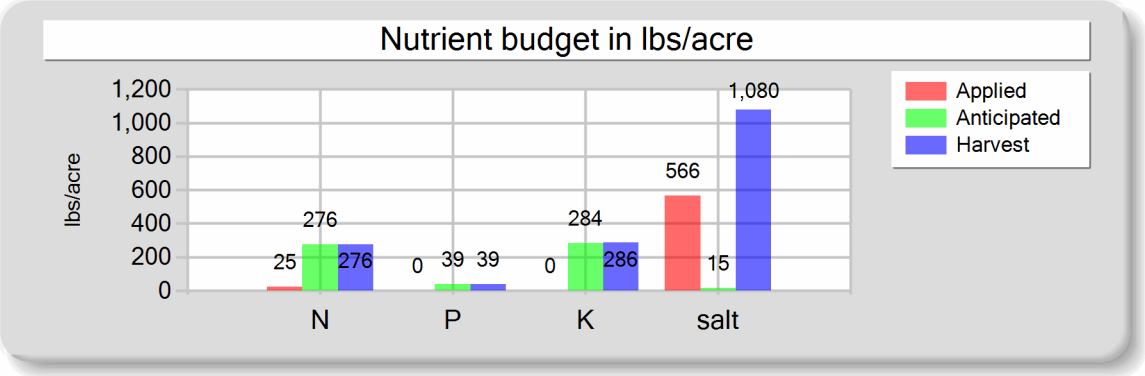

	Total N (lbs/acre)	Total P (lbs/acre)	Total K (lbs/acre)	Total salt (lbs/acre)
Existing soil nutrient content	0.00	0.00	0.00	0.00
Plowdown credit	0.00	0.00	0.00	0.00
Commercial fertilizer / Other	0.00	0.00	0.00	0.00
Dry manure	0.00	0.00	0.00	0.00
Process wastewater	0.00	0.00	0.00	0.00
Fresh water	10.99	0.00	0.00	565.59
Atmospheric deposition	14.00	0.00	0.00	0.00
Total nutrients applied	24.99	0.00	0.00	565.59
Anticipated crop nutrient removal	276.00	39.00	283.50	15.00
Actual crop nutrient removal	276.00	39.00	285.75	1,080.00
Nutrient balance	-251.01	-39.00	-285.75	-514.41
Applied to removed ratio	0.09	0.00	0.00	0.52

Fresh water applied	
82,113,600.00	*gallons*
3,023.96	*acre-inches*
48.00	*inches/acre*

Process wastewater applied	
0.00	*gallons*
0.00	*acre-inches*
0.00	*inches/acre*

Total harvests for the crop	
1	*harvests*

NUTRIENT ANALYSES

A. MANURE ANALYSES

No manure analyses entered.

B. PROCESS WASTEWATER ANALYSES

No process wastewater analyses entered.

C. FRESH WATER ANALYSES

Oakdale Irrigation District Canal

OID 2023 Canal Sample

Sample description: OID 2023 Canal Sample

Sample date: 08/17/2023 Source of analysis: Lab analysis

	Total N (mg/L)	NH4-N (mg/L)	Nitrate-N (mg/L)	Calcium (mg/L)	Magnesium (mg/L)	Sodium (mg/L)	Bicarbonate (mg/L)	Carbonate (mg/L)	Sulfate (mg/L)	Chloride (mg/L)	EC (µmhos/cm)	TDS (mg/L)
Value	1.01		0.30								70.90	52
DL	1.00		0.10								10.00	10

D. SOIL ANALYSES

No soil analyses entered.

E. PLANT TISSUE ANALYSES

Clover Field - 01/01/2023: Pasture

Pasture - Book Value

Sample and source description: Pasture - Book Value

Sample date: 01/01/2023 Source of analysis: Other/estimated Method of reporting: As-is

Moisture: 70.0 %

	Total N (mg/kg)	Total P (mg/kg)	Total K (mg/kg)	Total salt (mg/kg)	TFS (%)
Value	9,200.00	1,300.00	9,250.00		12.00
DL	100.00	100.00	100.00		0.01

Home Field North - 01/01/2023: Pasture

Pasture - Book Value

Sample and source description: Pasture - Book Value

Sample date: 01/01/2023 Source of analysis: Other/estimated Method of reporting: As-is

Moisture: 70.0 %

	Total N (mg/kg)	Total P (mg/kg)	Total K (mg/kg)	Total salt (mg/kg)	TFS (%)
Value	9,200.00	1,300.00	9,525.00		12.00
DL	100.00	100.00	100.00		0.01

F. SUBSURFACE (TILE) DRAINAGE ANALYSES

No subsurface (tile) drainage analyses entered.

NUTRIENT APPLICATIONS, POTENTIAL REMOVAL, AND BALANCE

A. SUMMARY OF NUTRIENT APPLICATIONS, POTENTIAL REMOVAL, AND BALANCE

	Total N (lbs)	Total P (lbs)	Total K (lbs)	Total salt (lbs)
Existing soil nutrient content	0.00	0.00	0.00	0.00
Plowdown credit	0.00	0.00	0.00	0.00
Commercial fertilizer / Other	0.00	0.00	0.00	0.00
Dry manure	0.00	0.00	0.00	0.00
Process wastewater	0.00	0.00	0.00	0.00
Fresh water	966.63	0.00	0.00	49,767.02
Atmospheric deposition	1,232.00	0.00	0.00	0.00
Total nutrients applied	2,198.63	0.00	0.00	49,767.02
Anticipated crop nutrient removal	24,288.00	3,432.00	24,948.00	1,320.00
Actual crop nutrient removal	24,288.00	3,432.00	24,939.75	95,040.00
Nutrient balance	-22,089.37	-3,432.00	-24,939.75	-45,272.98
Applied to removed ratio	0.09	0.00	0.00	0.52

B. POUNDS OF NUTRIENT APPLIED VS. CROP REMOVAL

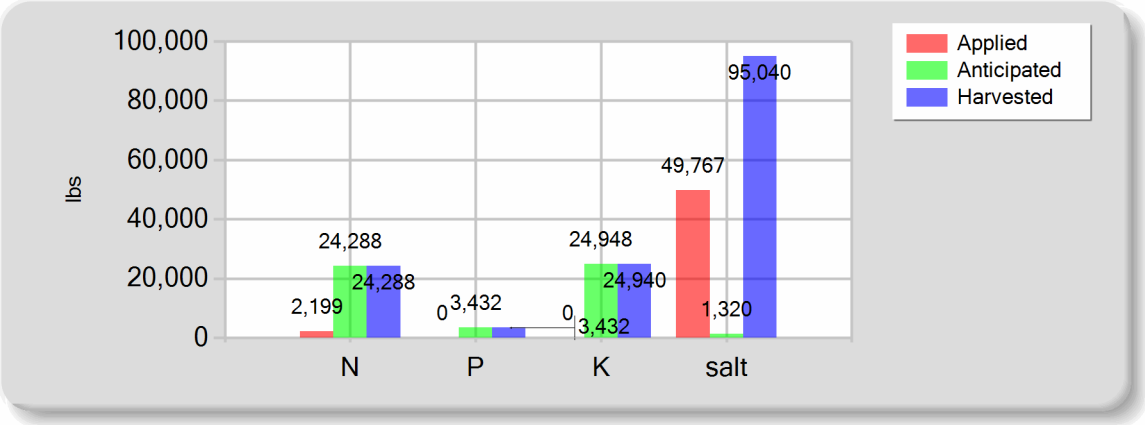

C. POUNDS OF NUTRIENT APPLIED BY MATERIAL TYPE

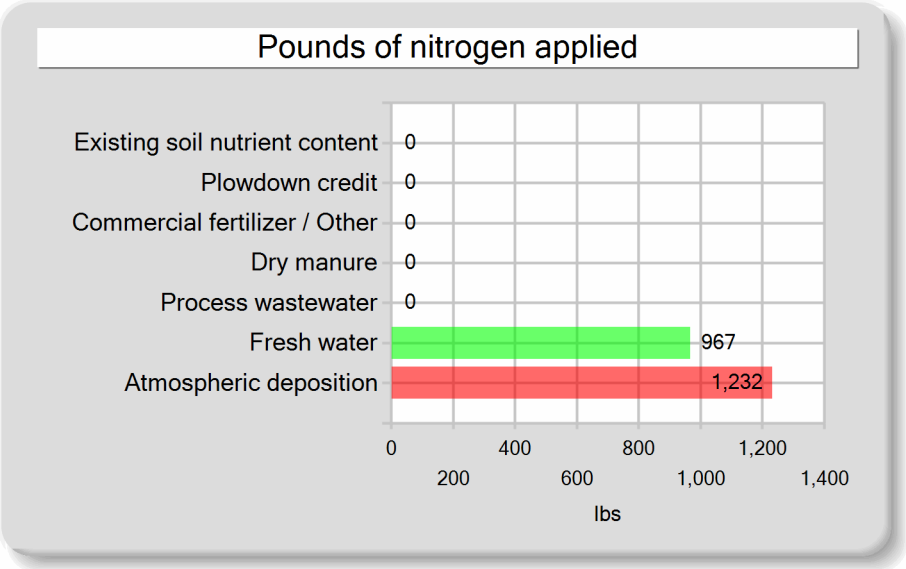

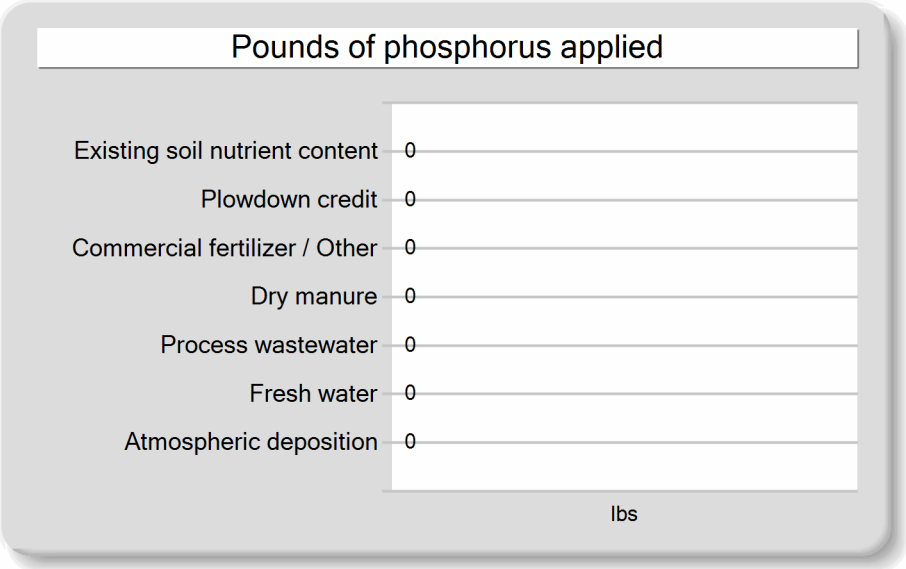

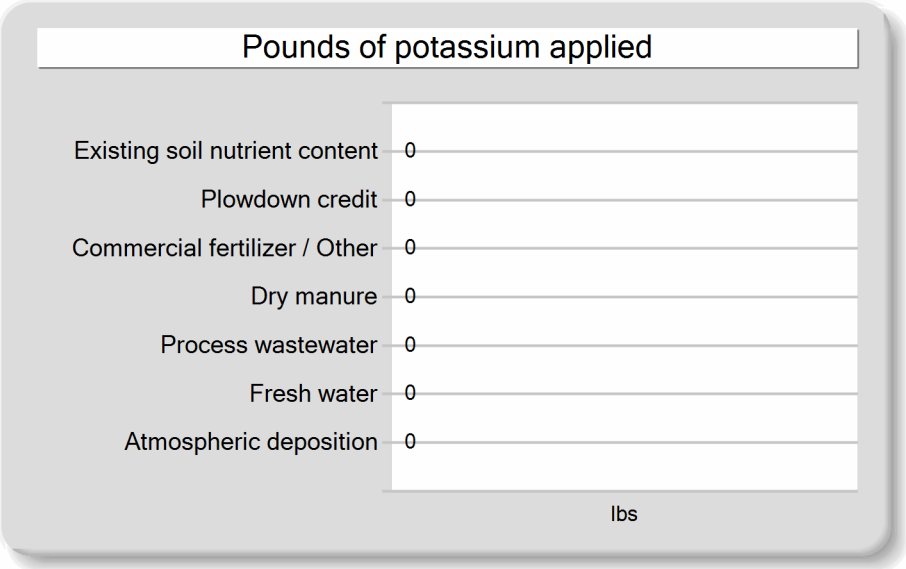

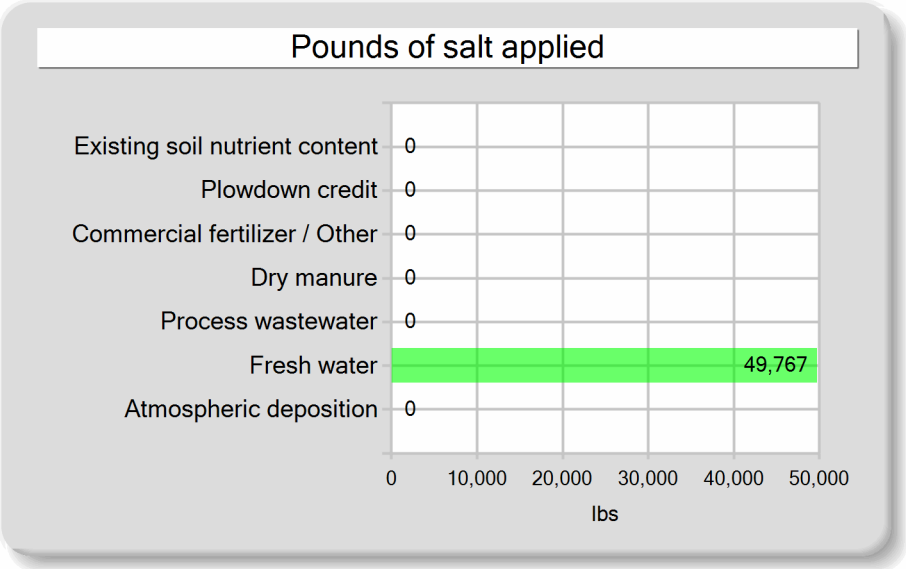

EXCEPTION REPORTING

A. MANURE, PROCESS WASTEWATER, AND OTHER DAIRY WASTE DISCHARGES

The following is a summary of all manure and process wastewater discharges from the production area to surface water or to land areas (land application areas or otherwise) when not in accordance with the facility's Nutrient Management Plan.

No manure or process wastewater discharges occurred during the reporting period.

B. STORM WATER DISCHARGES

The following is a summary of all storm water discharges from the production area to surface water during the reporting period when not in accordance with the facility 's Nutrient Management Plan.

No stormwater discharges occurred during the reporting period.

C. LAND APPLICATION AREA TO SURFACE WATER DISCHARGES

The following is a summary of all discharges from the land application area to surface water that have occurred during the reporting period when not in accordance with the facility's Nutrient Management Plan.

No land application area to surface water discharges occurred during the reporting period.

NUTRIENT MANAGEMENT PLAN AND EXPORT AGREEMENT STATEMENTS

A. NUTRIENT MANAGEMENT PLAN STATEMENTS

Was the facility's NMP updated in the reporting period?	No
Was the facility's NMP developed by a certified nutrient management planner (specialist) as specified in Attachment C of the General Order?	Yes
Was the facility's NMP approved by a certified nutrient management planner (specialist) as specified in Attachment C of the General Order?	Yes

B. EXPORT AGREEMENT STATEMENT

Are there any written agreements with third parties to receive manure or process wastewater that are new or were revised within the reporting period?	No

ADDITIONAL NOTES

A. NOTES

No animals were present on the facility in 2023. No wastewater, manure, plant tissue, soil, or well samples were taken in 2023 for the purposes of this report.

CERTIFICATION

A. OWNER AND/OR OPERATOR CERTIFICATION

I certify under penalty of law that I have personally examined and am familiar with the information submitted in this document and all attachments and that, based on my inquiry of those individuals immediately responsible for obtaining the information, I believe that the information is true, accurate, and complete. I am aware that there are significant penalties for submitting false information, including the possibility of fine and imprisonment.

Jim Kopshever
Jim Kopshever (Oct 25, 2024 10:42 PDT)

SIGNATURE OF OWNER OF FACILITY	SIGNATURE OF OPERATOR OF FACILITY
Bentley Ranch LLC	SAME AS OWNER
PRINT OR TYPE NAME	PRINT OR TYPE NAME
Oct 25, 2024	
DATE	DATE

Annual Report - General Order No. R5-2007-0035
Reporting period 01/01/2023 to 12/31/2023.

ATTACHMENTS

A. REQUIRED ATTACHMENTS

The following lists the required documents that should be attached to the Annual Report when submitted .

Annual Dairy Facility Assessment
Provide an Annual Dairy Facility Assessment (an update to the Preliminary Dairy Facility Assessment in Attachment A) for each reporting period. On the PDFA Final page, click on the ADFA Report button to generate an ADFA report after updating information as needed .

Manure/Process Wastewater Tracking Manifests
Provide copies of all manure/process wastewater tracking manifests for the reporting period, signed by both the owner/operator and the hauler.

Corrective Actions Documents
Provide records documenting any corrective actions taken to correct deficiencies noted as a result of the inspections required in the Monitoring Requirements of the General Order. Deficiencies not corrected in 30 days must be accompanied by an explanation of the factors preventing immediate correction.

Groundwater Monitoring
Dischargers that monitor supply wells or subsurface (tile) drainage systems, or that have monitoring well systems must submit monitoring results as directed in the General Order, Groundwater Reporting Section starting on page MRP-13.

Storm Water Monitoring
Dischargers that are required to monitor storm water more frequently than required in the General Order must submit monitoring results as directed in the General Order, Storm Water Reporting Section on page MRP-14.

Bentley Ranch LLC 2023 Annual Report

Final Audit Report 2024-10-25

Created:	2024-10-24
By:	Vince Furtado (vfurtado@fragservices.com)
Status:	Signed
Transaction ID:	CBJCHBCAABAAJ4BdxndX4JESm8823Y44rbREZfX1L-XZ

"Bentley Ranch LLC 2023 Annual Report" History

Document created by Vince Furtado (vfurtado@fragservices.com)
2024-10-24 - 10:28:06 PM GMT

Document emailed to jim@thealmondcompany.com for signature
2024-10-24 - 10:29:03 PM GMT

Email viewed by jim@thealmondcompany.com
2024-10-25 - 5:42:19 PM GMT

Signer jim@thealmondcompany.com entered name at signing as Jim Kopshever
2024-10-25 - 5:42:42 PM GMT

Document e-signed by Jim Kopshever (jim@thealmondcompany.com)
Signature Date: 2024-10-25 - 5:42:44 PM GMT - Time Source: server

Agreement completed.
2024-10-25 - 5:42:44 PM GMT

Adobe Acrobat Sign