Annual Report - General Order No. R5-2007-0035
Reporting period 01/01/2023 to 12/31/2023.

DAIRY FACILITY INFORMATION

A. NAME OF DAIRY OR BUSINESS OPERATING THE DAIRY: Brum de Visser Dairy

Physical address of dairy:

4500 Albers Rd. RD	Oakdale	Stanislaus	95361
Number and Street	City	County	Zip Code

Street and nearest cross street (if no address): Claribel Rd.

Date facility was originally placed in operation: 04/01/1961

Regional Water Quality Control Board Basin Plan designation: San Joaquin River Basin

County Assessor Parcel Number(s) for dairy facility:

X014-X009-X003-XXXX

B. OPERATORS

de Visser, Abraham

Operator name: de Visser, Abraham

Telephone no.: (209) 847-0468 Landline, (209) 541-4737 Cellular

4500 Albers RD	Oakdale	CA	95361
Mailing Address Number and Street	City	State	Zip Code

This operator is responsible for paying permit fees.

C. OWNERS

de Visser, Abraham

Legal owner name: de Visser, Abraham

Telephone no.: (209) 847-0468 Landline, (209) 541-4737 Cellular

4500 Albers RD	Oakdale	CA	95361
Mailing Address Number and Street	City	State	Zip Code

This owner is responsible for paying permit fees.

AVAILABLE NUTRIENTS

A. HERD INFORMATION

	Milk Cows	Dry Cows	Bred Heifers (15-24 mo.)	Heifers (7-14 mo. to breeding)	Calves (4-6 mo.)	Calves (0-3 mo.)
Number open confinement	0	0	0	0	0	0
Number under roof	0	0	0	0	0	0
Maximum number	0	0	0	0	0	0
Average number	0	0	0	0	0	0
Avg live weight (lbs)	0	0	0	0		

Predominant milk cow breed: Other

Average milk production: 1 *pounds per cow per day*

B. MANURE GENERATED

Total manure excreted by the herd: 1.00 *tons per reporting period*

Total nitrogen from manure: 1.00 *lbs per reporting period*

After ammonia losses (30% loss applied): 0.70 *lbs per reporting period*

Total phosphorus from manure: 1.00 *lbs per reporting period*

Total potassium from manure: 1.00 *lbs per reporting period*

Total salt from manure: 0.00 *lbs per reporting period*

C. PROCESS WASTEWATER GENERATED

Process wastewater generated: _____ *gallons*

Total nitrogen generated: _____ *lbs*

Total phosphorus generated: _____ *lbs*

Total potassium generated: _____ *lbs*

Total salt generated: _____ *lbs*

	0	*gallons applied*
+	0	*gallons exported*
-	0	*gallons imported*
=	0	*gallons generated*

D. FRESH WATER SOURCES

Source Description	Type
OID Canal	Surface water

E. SUBSURFACE (TILE) DRAINAGE SOURCES

No subsurface (tile) drainage sources entered.

F. NUTRIENT IMPORTS

No dry manure nutrient imports entered.

No process wastewater nutrient imports entered.

Date	Material type / Description	Quantity	Reporting basis	Moisture (%)	N (%)	P (%)	K (%)	Salt (%)
01/01/2023	Solid commercial fertilizer *CAN 17*	17.05 *ton*	As-is	0.1	17.000000	0.000000	0.000000	0.000000
03/02/2023	Solid commercial fertilizer *UN 32*	35.49 *ton*	As-is	0.1	32.000000	0.000000	0.000000	0.000000

Material type	Total N (lbs)	Total P (lbs)	Total K (lbs)	Total salt (lbs)
Commercial fertilizer / Other	28,510.60	0.00	0.00	0.00
Dry manure	0.00	0.00	0.00	0.00
Process wastewater	0.00	0.00	0.00	0.00
Total imports for all materials	28,510.60	0.00	0.00	0.00

G. NUTRIENT EXPORTS

No solid nutrient exports entered.

No liquid nutrient exports entered.

APPLICATION AREA

A. LIST OF LAND APPLICATION AREAS

Field name	Controlled acres	Cropable acres	Total harvests	Type of waste applied	Parcel number
1	35	35	1	none	X014-X009-X005-XXXX
2	40	40	1	none	X014-X009-X005-XXXX
Field 3	79	75	1	none	X063-X029-X010-XXXX
Field 4	50	49	1	none	X063-X029-X050-XXXX X063-X029-X051-XXXX X063-X029-X052-XXXX
Pasture 1	15	15	0	none	X014-X009-X003-XXXX
Pasture 2	15	15	1	none	X014-X009-X005-XXXX
Totals for areas that were used for application					
Totals for areas that were not used for application	234	229	5		
Land application area totals	234	229	5		

B. CROPS AND HARVESTS

1

Field name: 1

02/10/2016: Walnuts

Crop: Walnuts Acres planted: 35 Plant date: 02/10/2016

Harvest date	Yield	Reporting basis	Density (lbs/cu ft)	Moisture (%)	N (mg/kg)	P (mg/kg)	K (mg/kg)	Salt (mg/kg)	TFS (%)
10/12/2023	68.20 *ton*	As-is		10.0	20,000.00	1,500.00	14,400.00		0.00

	Yield (tons/acre)	Total N (lbs/acre)	Total P (lbs/acre)	Total K (lbs/acre)	Salt (lbs/acre)
Anticipated harvest content	2.00	80.00	6.00	56.00	0.00
Total actual harvest content	1.95	77.94	5.85	56.12	0.00

2

Field name: 2

2

02/10/2016: Walnuts

Crop: Walnuts Acres planted: 40 Plant date: 02/10/2016

Harvest date	Yield	Reporting basis	Density (lbs/cu ft)	Moisture (%)	N (mg/kg)	P (mg/kg)	K (mg/kg)	Salt (mg/kg)	TFS (%)
10/12/2023	85.50 *ton*	As-is		10.0	20,000.00	1,500.00	14,400.00		0.00

	Yield (tons/acre)	Total N (lbs/acre)	Total P (lbs/acre)	Total K (lbs/acre)	Salt (lbs/acre)
Anticipated harvest content	2.00	80.00	6.00	56.00	0.00
Total actual harvest content	2.14	85.50	6.41	61.56	0.00

Field 3

Field name: Field 3

02/05/2003: Almond, in shell

Crop: Almond, in shell Acres planted: 75 Plant date: 02/05/2003

Harvest date	Yield	Reporting basis	Density (lbs/cu ft)	Moisture (%)	N (mg/kg)	P (mg/kg)	K (mg/kg)	Salt (mg/kg)	TFS (%)
10/02/2023	105.20 *ton*	As-is		10.0	65,000.00	11,000.00	70,000.00		14.10

	Yield (tons/acre)	Total N (lbs/acre)	Total P (lbs/acre)	Total K (lbs/acre)	Salt (lbs/acre)
Anticipated harvest content	1.50	195.00	30.00	150.00	0.00
Total actual harvest content	1.40	182.35	30.86	196.37	356.00

Field 4

Field name: Field 4

Field 4

02/01/2015: Almond, in shell

Crop: Almond, in shell Acres planted: 49 Plant date: 02/01/2015

Harvest date	Yield	Reporting basis	Density (lbs/cu ft)	Moisture (%)	N (mg/kg)	P (mg/kg)	K (mg/kg)	Salt (mg/kg)	TFS (%)
10/04/2023	67.10 *ton*	As-is		10.0	65,000.00	11,000.00	70,000.00		14.10

	Yield (tons/acre)	Total N (lbs/acre)	Total P (lbs/acre)	Total K (lbs/acre)	Salt (lbs/acre)
Anticipated harvest content	1.50	195.00	30.00	150.00	0.00
Total actual harvest content	1.37	178.02	30.13	191.71	347.55

Pasture 2

Field name: Pasture 2

02/10/2016: Walnuts

Crop: Walnuts Acres planted: 15 Plant date: 02/10/2016

Harvest date	Yield	Reporting basis	Density (lbs/cu ft)	Moisture (%)	N (mg/kg)	P (mg/kg)	K (mg/kg)	Salt (mg/kg)	TFS (%)
10/13/2023	31.20 *ton*	As-is		10.0	20,000.00	1,500.00	14,400.00		0.00

	Yield (tons/acre)	Total N (lbs/acre)	Total P (lbs/acre)	Total K (lbs/acre)	Salt (lbs/acre)
Anticipated harvest content	2.00	80.00	6.00	56.00	0.00
Total actual harvest content	2.08	83.20	6.24	59.90	0.00

NUTRIENT BUDGET

A. LAND APPLICATIONS

1 - 02/10/2016: Walnuts

Field name: 1

Crop: Walnuts

Plant date: 02/10/2016

Application date	Application method	Precipitation 24 hours prior	Precipitation during application	Precipitation 24 hours following
04/20/2023	Sidedress	No precipitation	No precipitation	No precipitation

Source description	Material type	N (lbs/acre)	P (lbs/acre)	K (lbs/acre)	Salt (lbs/acre)	Amount
UN 32	Solid commercial fertilizer	22.40	0.00	0.00	0.00	
Application event totals		22.40	0.00	0.00	0.00	

Application date	Application method	Precipitation 24 hours prior	Precipitation during application	Precipitation 24 hours following
04/20/2023	Surface (irrigation)	No precipitation	No precipitation	No precipitation

Source description	Material type	N (lbs/acre)	P (lbs/acre)	K (lbs/acre)	Salt (lbs/acre)	Amount
OID Canal	Surface water	0.84	0.00	0.00	43.05	3,472,000.00 *gal*
Application event totals		0.84	0.00	0.00	43.05	

Application date	Application method	Precipitation 24 hours prior	Precipitation during application	Precipitation 24 hours following
05/03/2023	Surface (irrigation)	No precipitation	No precipitation	No precipitation

Source description	Material type	N (lbs/acre)	P (lbs/acre)	K (lbs/acre)	Salt (lbs/acre)	Amount
OID Canal	Surface water	0.84	0.00	0.00	43.05	3,472,000.00 *gal*
Application event totals		0.84	0.00	0.00	43.05	

Application date	Application method	Precipitation 24 hours prior	Precipitation during application	Precipitation 24 hours following
05/18/2023	Surface (irrigation)	No precipitation	No precipitation	No precipitation

Source description	Material type	N (lbs/acre)	P (lbs/acre)	K (lbs/acre)	Salt (lbs/acre)	Amount
OID Canal	Surface water	0.84	0.00	0.00	43.05	3,472,000.00 *gal*
Application event totals		0.84	0.00	0.00	43.05	

Application date	Application method	Precipitation 24 hours prior	Precipitation during application	Precipitation 24 hours following
06/02/2023	Surface (irrigation)	No precipitation	No precipitation	No precipitation

Source description	Material type	N (lbs/acre)	P (lbs/acre)	K (lbs/acre)	Salt (lbs/acre)	Amount
OID Canal	Surface water	0.84	0.00	0.00	43.05	3,472,000.00 *gal*
Application event totals		0.84	0.00	0.00	43.05	

1 - 02/10/2016: Walnuts

Application date	Application method	Precipitation 24 hours prior	Precipitation during application	Precipitation 24 hours following
06/17/2023	Surface (irrigation)	No precipitation	No precipitation	No precipitation

Source description	Material type	N (lbs/acre)	P (lbs/acre)	K (lbs/acre)	Salt (lbs/acre)	Amount
UN 32	Solid commercial fertilizer	22.40	0.00	0.00	0.00	
Application event totals		22.40	0.00	0.00	0.00	

Application date	Application method	Precipitation 24 hours prior	Precipitation during application	Precipitation 24 hours following
06/17/2023	Surface (irrigation)	No precipitation	No precipitation	No precipitation

Source description	Material type	N (lbs/acre)	P (lbs/acre)	K (lbs/acre)	Salt (lbs/acre)	Amount
OID Canal	Surface water	0.85	0.00	0.00	43.72	3,526,250.00 *gal*
Application event totals		0.85	0.00	0.00	43.72	

Application date	Application method	Precipitation 24 hours prior	Precipitation during application	Precipitation 24 hours following
07/02/2023	Surface (irrigation)	No precipitation	No precipitation	No precipitation

Source description	Material type	N (lbs/acre)	P (lbs/acre)	K (lbs/acre)	Salt (lbs/acre)	Amount
OID Canal	Surface water	0.85	0.00	0.00	43.72	3,526,250.00 *gal*
Application event totals		0.85	0.00	0.00	43.72	

Application date	Application method	Precipitation 24 hours prior	Precipitation during application	Precipitation 24 hours following
07/17/2023	Surface (irrigation)	No precipitation	No precipitation	No precipitation

Source description	Material type	N (lbs/acre)	P (lbs/acre)	K (lbs/acre)	Salt (lbs/acre)	Amount
UN 32	Solid commercial fertilizer	22.40	0.00	0.00	0.00	
Application event totals		22.40	0.00	0.00	0.00	

Application date	Application method	Precipitation 24 hours prior	Precipitation during application	Precipitation 24 hours following
07/17/2023	Surface (irrigation)	No precipitation	No precipitation	No precipitation

Source description	Material type	N (lbs/acre)	P (lbs/acre)	K (lbs/acre)	Salt (lbs/acre)	Amount
OID Canal	Surface water	0.85	0.00	0.00	43.72	3,526,250.00 *gal*
Application event totals		0.85	0.00	0.00	43.72	

Application date	Application method	Precipitation 24 hours prior	Precipitation during application	Precipitation 24 hours following
08/01/2023	Surface (irrigation)	No precipitation	No precipitation	No precipitation

Source description	Material type	N (lbs/acre)	P (lbs/acre)	K (lbs/acre)	Salt (lbs/acre)	Amount
OID Canal	Surface water	0.85	0.00	0.00	43.72	3,526,250.00 *gal*
Application event totals		0.85	0.00	0.00	43.72	

1 - 02/10/2016: Walnuts

Application date	Application method	Precipitation 24 hours prior	Precipitation during application	Precipitation 24 hours following
08/16/2023	Surface (irrigation)	No precipitation	No precipitation	No precipitation

Source description	Material type	N (lbs/acre)	P (lbs/acre)	K (lbs/acre)	Salt (lbs/acre)	Amount
OID Canal	Surface water	0.85	0.00	0.00	43.72	3,526,250.00 *gal*
Application event totals		0.85	0.00	0.00	43.72	

Application date	Application method	Precipitation 24 hours prior	Precipitation during application	Precipitation 24 hours following
08/31/2023	Surface (irrigation)	No precipitation	No precipitation	No precipitation

Source description	Material type	N (lbs/acre)	P (lbs/acre)	K (lbs/acre)	Salt (lbs/acre)	Amount
OID Canal	Surface water	0.85	0.00	0.00	43.72	3,526,250.00 *gal*
Application event totals		0.85	0.00	0.00	43.72	

Application date	Application method	Precipitation 24 hours prior	Precipitation during application	Precipitation 24 hours following
09/15/2023	Surface (irrigation)	No precipitation	No precipitation	No precipitation

Source description	Material type	N (lbs/acre)	P (lbs/acre)	K (lbs/acre)	Salt (lbs/acre)	Amount
OID Canal	Surface water	0.85	0.00	0.00	43.72	3,526,250.00 *gal*
Application event totals		0.85	0.00	0.00	43.72	

2 - 02/10/2016: Walnuts

Field name: 2

Crop: Walnuts

Plant date: 02/10/2016

Application date	Application method	Precipitation 24 hours prior	Precipitation during application	Precipitation 24 hours following
04/22/2023	Sidedress	No precipitation	No precipitation	No precipitation

Source description	Material type	N (lbs/acre)	P (lbs/acre)	K (lbs/acre)	Salt (lbs/acre)	Amount
UN 32	Solid commercial fertilizer	22.40	0.00	0.00	0.00	
Application event totals		22.40	0.00	0.00	0.00	

Application date	Application method	Precipitation 24 hours prior	Precipitation during application	Precipitation 24 hours following
04/23/2023	Surface (irrigation)	No precipitation	No precipitation	No precipitation

Source description	Material type	N (lbs/acre)	P (lbs/acre)	K (lbs/acre)	Salt (lbs/acre)	Amount
OID Canal	Surface water	0.84	0.00	0.00	43.01	3,965,000.00 *gal*
Application event totals		0.84	0.00	0.00	43.01	

2 - 02/10/2016: Walnuts

Application date	Application method	Precipitation 24 hours prior	Precipitation during application	Precipitation 24 hours following
05/06/2023	Surface (irrigation)	No precipitation	No precipitation	No precipitation

Source description	Material type	N (lbs/acre)	P (lbs/acre)	K (lbs/acre)	Salt (lbs/acre)	Amount
OID Canal	Surface water	0.84	0.00	0.00	43.01	3,965,000.00 *gal*
Application event totals		0.84	0.00	0.00	43.01	

05/21/2023	Surface (irrigation)	No precipitation	No precipitation	No precipitation

Source description	Material type	N (lbs/acre)	P (lbs/acre)	K (lbs/acre)	Salt (lbs/acre)	Amount
OID Canal	Surface water	0.84	0.00	0.00	43.01	3,965,000.00 *gal*
Application event totals		0.84	0.00	0.00	43.01	

06/05/2023	Surface (irrigation)	No precipitation	No precipitation	No precipitation

Source description	Material type	N (lbs/acre)	P (lbs/acre)	K (lbs/acre)	Salt (lbs/acre)	Amount
OID Canal	Surface water	0.84	0.00	0.00	43.01	3,965,000.00 *gal*
Application event totals		0.84	0.00	0.00	43.01	

06/19/2023	Sidedress	No precipitation	No precipitation	No precipitation

Source description	Material type	N (lbs/acre)	P (lbs/acre)	K (lbs/acre)	Salt (lbs/acre)	Amount
UN 32	Solid commercial fertilizer	22.40	0.00	0.00	0.00	
Application event totals		22.40	0.00	0.00	0.00	

06/20/2023	Surface (irrigation)	No precipitation	No precipitation	No precipitation

Source description	Material type	N (lbs/acre)	P (lbs/acre)	K (lbs/acre)	Salt (lbs/acre)	Amount
OID Canal	Surface water	0.84	0.00	0.00	43.01	3,965,000.00 *gal*
Application event totals		0.84	0.00	0.00	43.01	

07/05/2023	Surface (irrigation)	No precipitation	No precipitation	No precipitation

Source description	Material type	N (lbs/acre)	P (lbs/acre)	K (lbs/acre)	Salt (lbs/acre)	Amount
OID Canal	Surface water	0.85	0.00	0.00	43.87	4,044,000.00 *gal*
Application event totals		0.85	0.00	0.00	43.87	

2 - 02/10/2016: Walnuts

Application date	Application method	Precipitation 24 hours prior	Precipitation during application	Precipitation 24 hours following
07/16/2023	Sidedress	No precipitation	No precipitation	No precipitation

Source description	Material type	N (lbs/acre)	P (lbs/acre)	K (lbs/acre)	Salt (lbs/acre)	Amount
UN 32	Solid commercial fertilizer	22.40	0.00	0.00	0.00	
Application event totals		22.40	0.00	0.00	0.00	

07/20/2023	Surface (irrigation)	No precipitation	No precipitation	No precipitation

Source description	Material type	N (lbs/acre)	P (lbs/acre)	K (lbs/acre)	Salt (lbs/acre)	Amount
OID Canal	Surface water	0.85	0.00	0.00	43.87	4,044,000.00 *gal*
Application event totals		0.85	0.00	0.00	43.87	

08/04/2023	Surface (irrigation)	No precipitation	No precipitation	No precipitation

Source description	Material type	N (lbs/acre)	P (lbs/acre)	K (lbs/acre)	Salt (lbs/acre)	Amount
OID Canal	Surface water	0.85	0.00	0.00	43.87	4,044,000.00 *gal*
Application event totals		0.85	0.00	0.00	43.87	

08/19/2023	Surface (irrigation)	No precipitation	No precipitation	No precipitation

Source description	Material type	N (lbs/acre)	P (lbs/acre)	K (lbs/acre)	Salt (lbs/acre)	Amount
OID Canal	Surface water	0.85	0.00	0.00	43.87	4,044,000.00 *gal*
Application event totals		0.85	0.00	0.00	43.87	

09/03/2023	Surface (irrigation)	No precipitation	No precipitation	No precipitation

Source description	Material type	N (lbs/acre)	P (lbs/acre)	K (lbs/acre)	Salt (lbs/acre)	Amount
OID Canal	Surface water	0.85	0.00	0.00	43.87	4,044,000.00 *gal*
Application event totals		0.85	0.00	0.00	43.87	

09/18/2023	Surface (irrigation)	No precipitation	No precipitation	No precipitation

Source description	Material type	N (lbs/acre)	P (lbs/acre)	K (lbs/acre)	Salt (lbs/acre)	Amount
OID Canal	Surface water	0.85	0.00	0.00	43.87	4,044,000.00 *gal*
Application event totals		0.85	0.00	0.00	43.87	

Field 3 - 02/05/2003: Almond, in shell

Field 3 - 02/05/2003: Almond, in shell

Field name: Field 3

Crop: Almond, in shell

Plant date: 02/05/2003

Application date	Application method	Precipitation 24 hours prior	Precipitation during application	Precipitation 24 hours following
10/01/2022	Surface (irrigation)	No precipitation	No precipitation	No precipitation

Source description	Material type	N (lbs/acre)	P (lbs/acre)	K (lbs/acre)	Salt (lbs/acre)	Amount
OID Canal	Surface water	0.00	0.00	0.00	0.00	7,680,000.00 *gal*
Application event totals		0.00	0.00	0.00	0.00	

Application date	Application method	Precipitation 24 hours prior	Precipitation during application	Precipitation 24 hours following
11/04/2022	Sidedress	No precipitation	No precipitation	No precipitation

Source description	Material type	N (lbs/acre)	P (lbs/acre)	K (lbs/acre)	Salt (lbs/acre)	Amount
CAN 17	Solid commercial fertilizer	46.75	0.00	0.00	0.00	
Application event totals		46.75	0.00	0.00	0.00	

Application date	Application method	Precipitation 24 hours prior	Precipitation during application	Precipitation 24 hours following
03/02/2023	Sidedress	No precipitation	No precipitation	No precipitation

Source description	Material type	N (lbs/acre)	P (lbs/acre)	K (lbs/acre)	Salt (lbs/acre)	Amount
UN 32	Solid commercial fertilizer	48.00	0.00	0.00	0.00	
Application event totals		48.00	0.00	0.00	0.00	

Application date	Application method	Precipitation 24 hours prior	Precipitation during application	Precipitation 24 hours following
04/15/2023	Sidedress	No precipitation	No precipitation	No precipitation

Source description	Material type	N (lbs/acre)	P (lbs/acre)	K (lbs/acre)	Salt (lbs/acre)	Amount
UN 32	Solid commercial fertilizer	43.20	0.00	0.00	0.00	
Application event totals		43.20	0.00	0.00	0.00	

Application date	Application method	Precipitation 24 hours prior	Precipitation during application	Precipitation 24 hours following
04/15/2023	Surface (irrigation)	No precipitation	No precipitation	No precipitation

Source description	Material type	N (lbs/acre)	P (lbs/acre)	K (lbs/acre)	Salt (lbs/acre)	Amount
OID Canal	Surface water	0.86	0.00	0.00	44.15	7,631,250.00 *gal*
Application event totals		0.86	0.00	0.00	44.15	

Application date	Application method	Precipitation 24 hours prior	Precipitation during application	Precipitation 24 hours following
04/30/2023	Surface (irrigation)	No precipitation	No precipitation	No precipitation

Source description	Material type	N (lbs/acre)	P (lbs/acre)	K (lbs/acre)	Salt (lbs/acre)	Amount
OID Canal	Surface water	0.86	0.00	0.00	44.15	7,631,250.00 *gal*
Application event totals		0.86	0.00	0.00	44.15	

Field 3 - 02/05/2003: Almond, in shell

Application date	Application method	Precipitation 24 hours prior	Precipitation during application	Precipitation 24 hours following
05/15/2023	Surface (irrigation)	No precipitation	No precipitation	No precipitation

Source description	Material type	N (lbs/acre)	P (lbs/acre)	K (lbs/acre)	Salt (lbs/acre)	Amount
OID Canal	Surface water	0.86	0.00	0.00	44.15	7,631,250.00 *gal*
Application event totals		0.86	0.00	0.00	44.15	

Application date	Application method	Precipitation 24 hours prior	Precipitation during application	Precipitation 24 hours following
05/30/2023	Sidedress	No precipitation	No precipitation	No precipitation

Source description	Material type	N (lbs/acre)	P (lbs/acre)	K (lbs/acre)	Salt (lbs/acre)	Amount
UN 32	Solid commercial fertilizer	43.20	0.00	0.00	0.00	
Application event totals		43.20	0.00	0.00	0.00	

Application date	Application method	Precipitation 24 hours prior	Precipitation during application	Precipitation 24 hours following
05/30/2023	Surface (irrigation)	No precipitation	No precipitation	No precipitation

Source description	Material type	N (lbs/acre)	P (lbs/acre)	K (lbs/acre)	Salt (lbs/acre)	Amount
OID Canal	Surface water	0.86	0.00	0.00	44.15	7,631,250.00 *gal*
Application event totals		0.86	0.00	0.00	44.15	

Application date	Application method	Precipitation 24 hours prior	Precipitation during application	Precipitation 24 hours following
06/14/2023	Surface (irrigation)	No precipitation	No precipitation	No precipitation

Source description	Material type	N (lbs/acre)	P (lbs/acre)	K (lbs/acre)	Salt (lbs/acre)	Amount
OID Canal	Surface water	0.86	0.00	0.00	44.48	7,687,500.00 *gal*
Application event totals		0.86	0.00	0.00	44.48	

Application date	Application method	Precipitation 24 hours prior	Precipitation during application	Precipitation 24 hours following
06/29/2023	Surface (irrigation)	No precipitation	No precipitation	No precipitation

Source description	Material type	N (lbs/acre)	P (lbs/acre)	K (lbs/acre)	Salt (lbs/acre)	Amount
OID Canal	Surface water	0.86	0.00	0.00	44.48	7,687,500.00 *gal*
Application event totals		0.86	0.00	0.00	44.48	

Application date	Application method	Precipitation 24 hours prior	Precipitation during application	Precipitation 24 hours following
07/14/2023	Surface (irrigation)	No precipitation	No precipitation	No precipitation

Source description	Material type	N (lbs/acre)	P (lbs/acre)	K (lbs/acre)	Salt (lbs/acre)	Amount
OID Canal	Surface water	0.86	0.00	0.00	44.48	7,687,500.00 *gal*
Application event totals		0.86	0.00	0.00	44.48	

Field 3 - 02/05/2003: Almond, in shell

Application date	Application method	Precipitation 24 hours prior	Precipitation during application	Precipitation 24 hours following
07/29/2023	Surface (irrigation)	No precipitation	No precipitation	No precipitation

Source description	Material type	N (lbs/acre)	P (lbs/acre)	K (lbs/acre)	Salt (lbs/acre)	Amount
OID Canal	Surface water	0.86	0.00	0.00	44.48	7,687,500.00 *gal*
Application event totals		0.86	0.00	0.00	44.48	

Application date	Application method	Precipitation 24 hours prior	Precipitation during application	Precipitation 24 hours following
08/13/2023	Surface (irrigation)	No precipitation	No precipitation	No precipitation

Source description	Material type	N (lbs/acre)	P (lbs/acre)	K (lbs/acre)	Salt (lbs/acre)	Amount
OID Canal	Surface water	0.86	0.00	0.00	44.48	7,687,500.00 *gal*
Application event totals		0.86	0.00	0.00	44.48	

Application date	Application method	Precipitation 24 hours prior	Precipitation during application	Precipitation 24 hours following
08/28/2023	Surface (irrigation)	No precipitation	No precipitation	No precipitation

Source description	Material type	N (lbs/acre)	P (lbs/acre)	K (lbs/acre)	Salt (lbs/acre)	Amount
OID Canal	Surface water	0.86	0.00	0.00	44.48	7,687,500.00 *gal*
Application event totals		0.86	0.00	0.00	44.48	

Application date	Application method	Precipitation 24 hours prior	Precipitation during application	Precipitation 24 hours following
09/12/2023	Surface (irrigation)	No precipitation	No precipitation	No precipitation

Source description	Material type	N (lbs/acre)	P (lbs/acre)	K (lbs/acre)	Salt (lbs/acre)	Amount
OID Canal	Surface water	0.86	0.00	0.00	44.48	7,687,500.00 *gal*
Application event totals		0.86	0.00	0.00	44.48	

Field 4 - 02/01/2015: Almond, in shell

Field name: Field 4

Crop: Almond, in shell

Plant date: 02/01/2015

Application date	Application method	Precipitation 24 hours prior	Precipitation during application	Precipitation 24 hours following
09/30/2022	Surface (irrigation)	No precipitation	No precipitation	No precipitation

Source description	Material type	N (lbs/acre)	P (lbs/acre)	K (lbs/acre)	Salt (lbs/acre)	Amount
OID Canal	Surface water	0.00	0.00	0.00	0.00	4,966,150.00 *gal*
Application event totals		0.00	0.00	0.00	0.00	

Field 4 - 02/01/2015: Almond, in shell

Application date	Application method	Precipitation 24 hours prior	Precipitation during application	Precipitation 24 hours following
11/05/2022	Sidedress	No precipitation	No precipitation	No precipitation

Source description	Material type	N (lbs/acre)	P (lbs/acre)	K (lbs/acre)	Salt (lbs/acre)	Amount
CAN 17	Solid commercial fertilizer	46.75	0.00	0.00	0.00	
Application event totals		46.75	0.00	0.00	0.00	

03/03/2023	Sidedress	No precipitation	No precipitation	No precipitation

Source description	Material type	N (lbs/acre)	P (lbs/acre)	K (lbs/acre)	Salt (lbs/acre)	Amount
UN 32	Solid commercial fertilizer	48.00	0.00	0.00	0.00	
Application event totals		48.00	0.00	0.00	0.00	

04/14/2023	Sidedress	No precipitation	No precipitation	No precipitation

Source description	Material type	N (lbs/acre)	P (lbs/acre)	K (lbs/acre)	Salt (lbs/acre)	Amount
UN 32	Solid commercial fertilizer	43.20	0.00	0.00	0.00	
Application event totals		43.20	0.00	0.00	0.00	

04/14/2023	Surface (irrigation)	No precipitation	No precipitation	No precipitation

Source description	Material type	N (lbs/acre)	P (lbs/acre)	K (lbs/acre)	Salt (lbs/acre)	Amount
OID Canal	Surface water	0.85	0.00	0.00	43.61	4,924,500.00 *gal*
Application event totals		0.85	0.00	0.00	43.61	

04/29/2023	Surface (irrigation)	No precipitation	No precipitation	No precipitation

Source description	Material type	N (lbs/acre)	P (lbs/acre)	K (lbs/acre)	Salt (lbs/acre)	Amount
OID Canal	Surface water	0.85	0.00	0.00	43.61	4,924,500.00 *gal*
Application event totals		0.85	0.00	0.00	43.61	

05/14/2023	Surface (irrigation)	No precipitation	No precipitation	No precipitation

Source description	Material type	N (lbs/acre)	P (lbs/acre)	K (lbs/acre)	Salt (lbs/acre)	Amount
OID Canal	Surface water	0.85	0.00	0.00	43.61	4,924,500.00 *gal*
Application event totals		0.85	0.00	0.00	43.61	

Field 4 - 02/01/2015: Almond, in shell

Application date	Application method	Precipitation 24 hours prior	Precipitation during application	Precipitation 24 hours following
05/29/2023	Sidedress	No precipitation	No precipitation	No precipitation

Source description	Material type	N (lbs/acre)	P (lbs/acre)	K (lbs/acre)	Salt (lbs/acre)	Amount
UN 32	Solid commercial fertilizer	43.20	0.00	0.00	0.00	
Application event totals		43.20	0.00	0.00	0.00	

05/29/2023	Surface (irrigation)	No precipitation	No precipitation	No precipitation

Source description	Material type	N (lbs/acre)	P (lbs/acre)	K (lbs/acre)	Salt (lbs/acre)	Amount
OID Canal	Surface water	0.85	0.00	0.00	43.61	4,924,500.00 *gal*
Application event totals		0.85	0.00	0.00	43.61	

06/13/2023	Surface (irrigation)	No precipitation	No precipitation	No precipitation

Source description	Material type	N (lbs/acre)	P (lbs/acre)	K (lbs/acre)	Salt (lbs/acre)	Amount
OID Canal	Surface water	0.86	0.00	0.00	44.04	4,973,500.00 *gal*
Application event totals		0.86	0.00	0.00	44.04	

06/28/2023	Surface (irrigation)	No precipitation	No precipitation	No precipitation

Source description	Material type	N (lbs/acre)	P (lbs/acre)	K (lbs/acre)	Salt (lbs/acre)	Amount
OID Canal	Surface water	0.86	0.00	0.00	44.04	4,973,500.00 *gal*
Application event totals		0.86	0.00	0.00	44.04	

07/13/2023	Surface (irrigation)	No precipitation	No precipitation	No precipitation

Source description	Material type	N (lbs/acre)	P (lbs/acre)	K (lbs/acre)	Salt (lbs/acre)	Amount
OID Canal	Surface water	0.86	0.00	0.00	44.04	4,973,500.00 *gal*
Application event totals		0.86	0.00	0.00	44.04	

07/28/2023	Surface (irrigation)	No precipitation	No precipitation	No precipitation

Source description	Material type	N (lbs/acre)	P (lbs/acre)	K (lbs/acre)	Salt (lbs/acre)	Amount
OID Canal	Surface water	0.86	0.00	0.00	44.04	4,973,500.00 *gal*
Application event totals		0.86	0.00	0.00	44.04	

Field 4 - 02/01/2015: Almond, in shell

Application date	Application method	Precipitation 24 hours prior	Precipitation during application	Precipitation 24 hours following
08/12/2023	Surface (irrigation)	No precipitation	No precipitation	No precipitation

Source description	Material type	N (lbs/acre)	P (lbs/acre)	K (lbs/acre)	Salt (lbs/acre)	Amount
OID Canal	Surface water	0.86	0.00	0.00	44.04	4,973,500.00 *gal*
Application event totals		0.86	0.00	0.00	44.04	

Application date	Application method	Precipitation 24 hours prior	Precipitation during application	Precipitation 24 hours following
08/27/2023	Surface (irrigation)	No precipitation	No precipitation	No precipitation

Source description	Material type	N (lbs/acre)	P (lbs/acre)	K (lbs/acre)	Salt (lbs/acre)	Amount
OID Canal	Surface water	0.86	0.00	0.00	44.04	4,973,500.00 *gal*
Application event totals		0.86	0.00	0.00	44.04	

Application date	Application method	Precipitation 24 hours prior	Precipitation during application	Precipitation 24 hours following
09/11/2023	Surface (irrigation)	No precipitation	No precipitation	No precipitation

Source description	Material type	N (lbs/acre)	P (lbs/acre)	K (lbs/acre)	Salt (lbs/acre)	Amount
OID Canal	Surface water	0.86	0.00	0.00	44.04	4,973,500.00 *gal*
Application event totals		0.86	0.00	0.00	44.04	

Pasture 2 - 02/10/2016: Walnuts

Field name: Pasture 2

Crop: Walnuts

Plant date: 02/10/2016

Application date	Application method	Precipitation 24 hours prior	Precipitation during application	Precipitation 24 hours following
04/22/2023	Surface (irrigation)	No precipitation	No precipitation	No precipitation

Source description	Material type	N (lbs/acre)	P (lbs/acre)	K (lbs/acre)	Salt (lbs/acre)	Amount
OID Canal	Surface water	0.84	0.00	0.00	43.05	1,488,000.00 *gal*
Application event totals		0.84	0.00	0.00	43.05	

Application date	Application method	Precipitation 24 hours prior	Precipitation during application	Precipitation 24 hours following
04/23/2023	Sidedress	No precipitation	No precipitation	No precipitation

Source description	Material type	N (lbs/acre)	P (lbs/acre)	K (lbs/acre)	Salt (lbs/acre)	Amount
UN 32	Solid commercial fertilizer	22.40	0.00	0.00	0.00	
Application event totals		22.40	0.00	0.00	0.00	

Pasture 2 - 02/10/2016: Walnuts

Application date	Application method	Precipitation 24 hours prior	Precipitation during application	Precipitation 24 hours following
05/05/2023	Surface (irrigation)	No precipitation	No precipitation	No precipitation

Source description	Material type	N (lbs/acre)	P (lbs/acre)	K (lbs/acre)	Salt (lbs/acre)	Amount
OID Canal	Surface water	0.84	0.00	0.00	43.05	1,488,000.00 *gal*
Application event totals		0.84	0.00	0.00	43.05	

Application date	Application method	Precipitation 24 hours prior	Precipitation during application	Precipitation 24 hours following
05/20/2023	Surface (irrigation)	No precipitation	No precipitation	No precipitation

Source description	Material type	N (lbs/acre)	P (lbs/acre)	K (lbs/acre)	Salt (lbs/acre)	Amount
OID Canal	Surface water	0.84	0.00	0.00	43.05	1,488,000.00 *gal*
Application event totals		0.84	0.00	0.00	43.05	

Application date	Application method	Precipitation 24 hours prior	Precipitation during application	Precipitation 24 hours following
06/04/2023	Surface (irrigation)	No precipitation	No precipitation	No precipitation

Source description	Material type	N (lbs/acre)	P (lbs/acre)	K (lbs/acre)	Salt (lbs/acre)	Amount
OID Canal	Surface water	0.84	0.00	0.00	43.05	1,488,000.00 *gal*
Application event totals		0.84	0.00	0.00	43.05	

Application date	Application method	Precipitation 24 hours prior	Precipitation during application	Precipitation 24 hours following
06/20/2023	Sidedress	No precipitation	No precipitation	No precipitation

Source description	Material type	N (lbs/acre)	P (lbs/acre)	K (lbs/acre)	Salt (lbs/acre)	Amount
UN 32	Solid commercial fertilizer	22.40	0.00	0.00	0.00	
Application event totals		22.40	0.00	0.00	0.00	

Application date	Application method	Precipitation 24 hours prior	Precipitation during application	Precipitation 24 hours following
06/19/2023	Surface (irrigation)	No precipitation	No precipitation	No precipitation

Source description	Material type	N (lbs/acre)	P (lbs/acre)	K (lbs/acre)	Salt (lbs/acre)	Amount
OID Canal	Surface water	0.85	0.00	0.00	43.72	1,511,250.00 *gal*
Application event totals		0.85	0.00	0.00	43.72	

Application date	Application method	Precipitation 24 hours prior	Precipitation during application	Precipitation 24 hours following
07/04/2023	Surface (irrigation)	No precipitation	No precipitation	No precipitation

Source description	Material type	N (lbs/acre)	P (lbs/acre)	K (lbs/acre)	Salt (lbs/acre)	Amount
OID Canal	Surface water	0.85	0.00	0.00	43.72	1,511,250.00 *gal*
Application event totals		0.85	0.00	0.00	43.72	

Pasture 2 - 02/10/2016: Walnuts

Application date	Application method	Precipitation 24 hours prior	Precipitation during application	Precipitation 24 hours following
07/17/2023	Sidedress	No precipitation	No precipitation	No precipitation

Source description	Material type	N (lbs/acre)	P (lbs/acre)	K (lbs/acre)	Salt (lbs/acre)	Amount
UN 32	Solid commercial fertilizer	22.40	0.00	0.00	0.00	
Application event totals		22.40	0.00	0.00	0.00	

07/19/2023	Surface (irrigation)	No precipitation	No precipitation	No precipitation

Source description	Material type	N (lbs/acre)	P (lbs/acre)	K (lbs/acre)	Salt (lbs/acre)	Amount
OID Canal	Surface water	0.85	0.00	0.00	43.72	1,511,250.00 *gal*
Application event totals		0.85	0.00	0.00	43.72	

08/03/2023	Surface (irrigation)	No precipitation	No precipitation	No precipitation

Source description	Material type	N (lbs/acre)	P (lbs/acre)	K (lbs/acre)	Salt (lbs/acre)	Amount
OID Canal	Surface water	0.85	0.00	0.00	43.72	1,511,250.00 *gal*
Application event totals		0.85	0.00	0.00	43.72	

08/18/2023	Surface (irrigation)	No precipitation	No precipitation	No precipitation

Source description	Material type	N (lbs/acre)	P (lbs/acre)	K (lbs/acre)	Salt (lbs/acre)	Amount
OID Canal	Surface water	0.85	0.00	0.00	43.72	1,511,250.00 *gal*
Application event totals		0.85	0.00	0.00	43.72	

09/02/2023	Surface (irrigation)	No precipitation	No precipitation	No precipitation

Source description	Material type	N (lbs/acre)	P (lbs/acre)	K (lbs/acre)	Salt (lbs/acre)	Amount
OID Canal	Surface water	0.85	0.00	0.00	43.72	1,511,250.00 *gal*
Application event totals		0.85	0.00	0.00	43.72	

09/17/2023	Surface (irrigation)	No precipitation	No precipitation	No precipitation

Source description	Material type	N (lbs/acre)	P (lbs/acre)	K (lbs/acre)	Salt (lbs/acre)	Amount
OID Canal	Surface water	0.85	0.00	0.00	43.72	1,511,250.00 *gal*
Application event totals		0.85	0.00	0.00	43.72	

B. NUTRIENT BUDGET

1 - 02/10/2016: Walnuts

Field name: 1 Crop: Walnuts Plant date: 02/10/2016

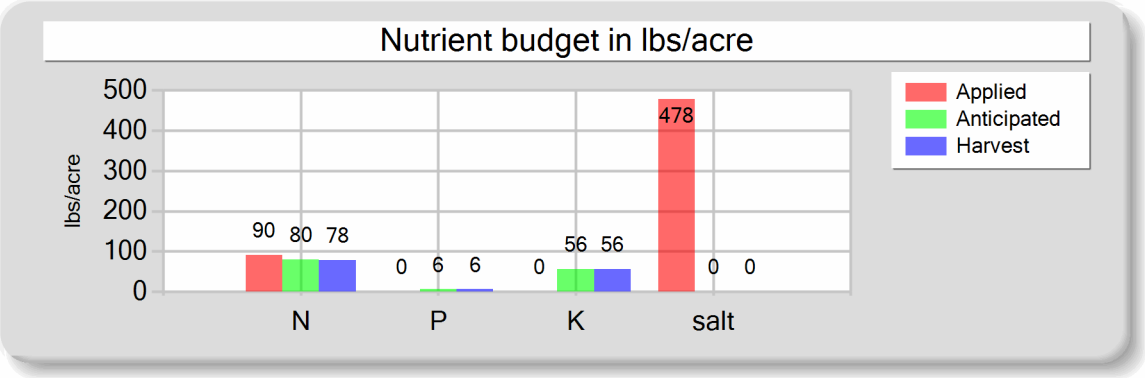

	Total N (lbs/acre)	Total P (lbs/acre)	Total K (lbs/acre)	Total salt (lbs/acre)
Existing soil nutrient content	0.00	0.00	0.00	0.00
Plowdown credit	0.00	0.00	0.00	0.00
Commercial fertilizer / Other	67.20	0.00	0.00	0.00
Dry manure	0.00	0.00	0.00	0.00
Process wastewater	0.00	0.00	0.00	0.00
Fresh water	9.29	0.00	0.00	478.22
Atmospheric deposition	14.00	0.00	0.00	0.00
Total nutrients applied	90.49	0.00	0.00	478.22
Anticipated crop nutrient removal	80.00	6.00	56.00	0.00
Actual crop nutrient removal	77.94	5.85	56.12	0.00
Nutrient balance	12.55	-5.85	-56.12	478.22
Applied to removed ratio	1.16	0.00	0.00	0.00

Fresh water applied	
38,571,750.00	*gallons*
1,420.47	*acre-inches*
40.58	*inches/acre*

Process wastewater applied	
0.00	*gallons*
0.00	*acre-inches*
0.00	*inches/acre*

Total harvests for the crop	
1	*harvests*

2 - 02/10/2016: Walnuts

Field name: 2 Crop: Walnuts Plant date: 02/10/2016

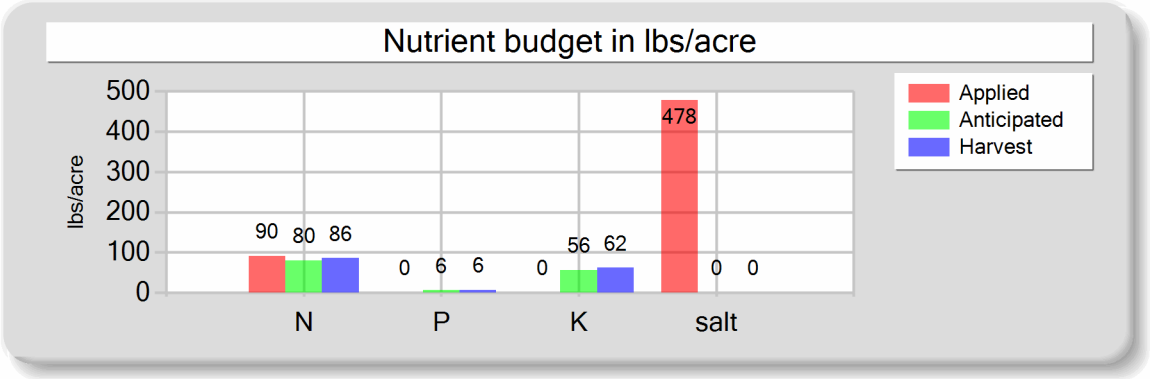

	Total N (lbs/acre)	Total P (lbs/acre)	Total K (lbs/acre)	Total salt (lbs/acre)
Existing soil nutrient content	0.00	0.00	0.00	0.00
Plowdown credit	0.00	0.00	0.00	0.00
Commercial fertilizer / Other	67.20	0.00	0.00	0.00
Dry manure	0.00	0.00	0.00	0.00
Process wastewater	0.00	0.00	0.00	0.00
Fresh water	9.29	0.00	0.00	478.30
Atmospheric deposition	14.00	0.00	0.00	0.00
Total nutrients applied	90.49	0.00	0.00	478.30
Anticipated crop nutrient removal	80.00	6.00	56.00	0.00
Actual crop nutrient removal	85.50	6.41	61.56	0.00
Nutrient balance	4.99	-6.41	-61.56	478.30
Applied to removed ratio	1.06	0.00	0.00	0.00

Fresh water applied	
44,089,000.00	*gallons*
1,623.65	*acre-inches*
40.59	*inches/acre*

Process wastewater applied	
0.00	*gallons*
0.00	*acre-inches*
0.00	*inches/acre*

Total harvests for the crop	
1	*harvests*

Field 3 - 02/05/2003: Almond, in shell

Field name: Field 3 Crop: Almond, in shell Plant date: 02/05/2003

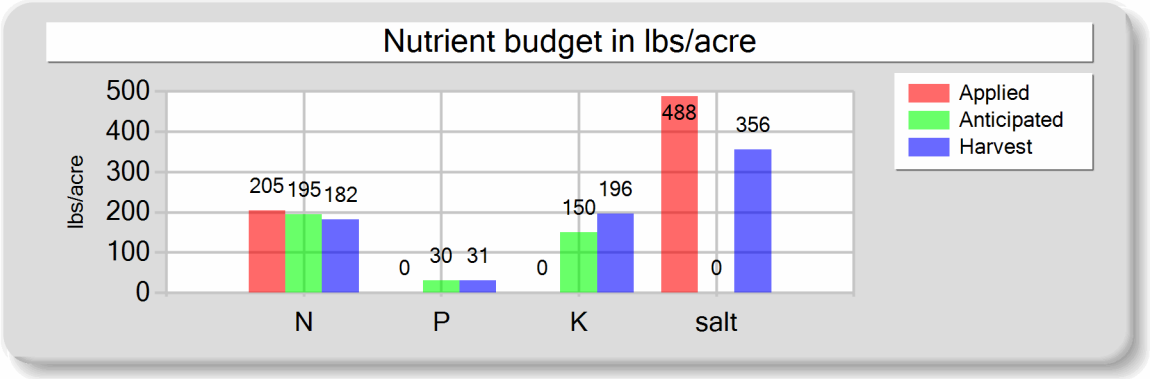

	Total N (lbs/acre)	Total P (lbs/acre)	Total K (lbs/acre)	Total salt (lbs/acre)
Existing soil nutrient content	0.00	0.00	0.00	0.00
Plowdown credit	0.00	0.00	0.00	0.00
Commercial fertilizer / Other	181.15	0.00	0.00	0.00
Dry manure	0.00	0.00	0.00	0.00
Process wastewater	0.00	0.00	0.00	0.00
Fresh water	9.48	0.00	0.00	487.97
Atmospheric deposition	14.00	0.00	0.00	0.00
Total nutrients applied	204.63	0.00	0.00	487.97
Anticipated crop nutrient removal	195.00	30.00	150.00	0.00
Actual crop nutrient removal	182.35	30.86	196.37	356.00
Nutrient balance	22.28	-30.86	-196.37	131.97
Applied to removed ratio	1.12	0.00	0.00	1.37

Fresh water applied	
92,017,500.00	*gallons*
3,388.69	*acre-inches*
45.18	*inches/acre*

Process wastewater applied	
0.00	*gallons*
0.00	*acre-inches*
0.00	*inches/acre*

Total harvests for the crop	
1	*harvests*

Field 4 - 02/01/2015: Almond, in shell

Field name: Field 4 Crop: Almond, in shell Plant date: 02/01/2015

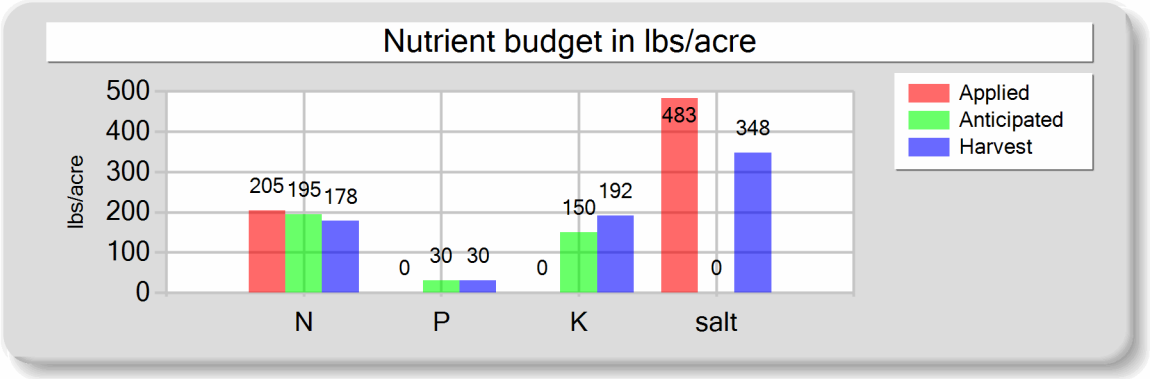

	Total N (lbs/acre)	Total P (lbs/acre)	Total K (lbs/acre)	Total salt (lbs/acre)
Existing soil nutrient content	0.00	0.00	0.00	0.00
Plowdown credit	0.00	0.00	0.00	0.00
Commercial fertilizer / Other	181.15	0.00	0.00	0.00
Dry manure	0.00	0.00	0.00	0.00
Process wastewater	0.00	0.00	0.00	0.00
Fresh water	9.38	0.00	0.00	482.76
Atmospheric deposition	14.00	0.00	0.00	0.00
Total nutrients applied	204.53	0.00	0.00	482.76
Anticipated crop nutrient removal	195.00	30.00	150.00	0.00
Actual crop nutrient removal	178.02	30.13	191.71	347.55
Nutrient balance	26.51	-30.13	-191.71	135.21
Applied to removed ratio	1.15	0.00	0.00	1.39

Fresh water applied	
59,478,650.00	*gallons*
2,190.40	*acre-inches*
44.70	*inches/acre*

Process wastewater applied	
0.00	*gallons*
0.00	*acre-inches*
0.00	*inches/acre*

Total harvests for the crop	
1	*harvests*

Pasture 2 - 02/10/2016: Walnuts

Field name: Pasture 2 Crop: Walnuts Plant date: 02/10/2016

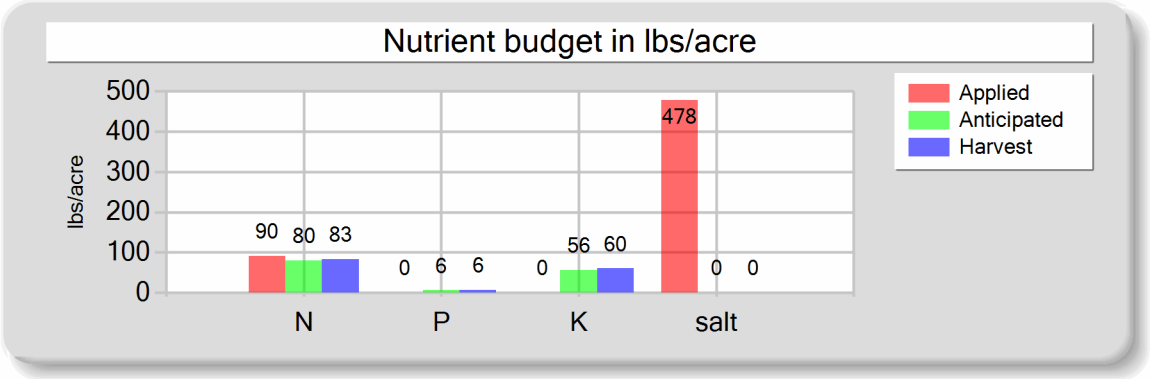

	Total N (lbs/acre)	Total P (lbs/acre)	Total K (lbs/acre)	Total salt (lbs/acre)
Existing soil nutrient content	0.00	0.00	0.00	0.00
Plowdown credit	0.00	0.00	0.00	0.00
Commercial fertilizer / Other	67.20	0.00	0.00	0.00
Dry manure	0.00	0.00	0.00	0.00
Process wastewater	0.00	0.00	0.00	0.00
Fresh water	9.29	0.00	0.00	478.22
Atmospheric deposition	14.00	0.00	0.00	0.00
Total nutrients applied	90.49	0.00	0.00	478.22
Anticipated crop nutrient removal	80.00	6.00	56.00	0.00
Actual crop nutrient removal	83.20	6.24	59.90	0.00
Nutrient balance	7.29	-6.24	-59.90	478.22
Applied to removed ratio	1.09	0.00	0.00	0.00

Fresh water applied	
16,530,750.00	*gallons*
608.77	*acre-inches*
40.58	*inches/acre*

Process wastewater applied	
0.00	*gallons*
0.00	*acre-inches*
0.00	*inches/acre*

Total harvests for the crop	
1	*harvests*

NUTRIENT ANALYSES

A. MANURE ANALYSES

No manure analyses entered.

B. PROCESS WASTEWATER ANALYSES

No process wastewater analyses entered.

C. FRESH WATER ANALYSES

OID Canal

OID Canal

Sample description: OID Canal

Sample date: 08/11/2022 Source of analysis: Lab analysis

	Total N (mg/L)	NH4-N (mg/L)	Nitrate-N (mg/L)	Calcium (mg/L)	Magnesium (mg/L)	Sodium (mg/L)	Bicarbonate (mg/L)	Carbonate (mg/L)	Sulfate (mg/L)	Chloride (mg/L)	EC (µmhos/cm)	TDS (mg/L)
Value	0.00	0.00	0.00								0.00	0
DL	0.50	0.50	0.50								1.00	10

OID Canal

Sample description: OID Canal

Sample date: 08/18/2023 Source of analysis: Lab analysis

	Total N (mg/L)	NH4-N (mg/L)	Nitrate-N (mg/L)	Calcium (mg/L)	Magnesium (mg/L)	Sodium (mg/L)	Bicarbonate (mg/L)	Carbonate (mg/L)	Sulfate (mg/L)	Chloride (mg/L)	EC (µmhos/cm)	TDS (mg/L)
Value	1.01	0.00	0.30								70.90	52
DL	1.00	0.50	0.10								10.00	10

D. SOIL ANALYSES

No soil analyses entered.

E. PLANT TISSUE ANALYSES

No plant tissue analyses entered.

F. SUBSURFACE (TILE) DRAINAGE ANALYSES

No subsurface (tile) drainage analyses entered.

NUTRIENT APPLICATIONS, POTENTIAL REMOVAL, AND BALANCE

A. SUMMARY OF NUTRIENT APPLICATIONS, POTENTIAL REMOVAL, AND BALANCE

	Total N (lbs)	Total P (lbs)	Total K (lbs)	Total salt (lbs)
Existing soil nutrient content	0.00	0.00	0.00	0.00
Plowdown credit	0.00	0.00	0.00	0.00
Commercial fertilizer / Other	28,510.60	0.00	0.00	0.00
Dry manure	0.00	0.00	0.00	0.00
Process wastewater	0.00	0.00	0.00	0.00
Fresh water	2,006.32	0.00	0.00	103,295.73
Atmospheric deposition	2,996.00	0.00	0.00	0.00
Total nutrients applied	33,512.92	0.00	0.00	103,295.73
Anticipated crop nutrient removal	31,380.00	4,260.00	23,640.00	0.00
Actual crop nutrient removal	29,795.00	4,345.30	29,447.12	43,729.74
Nutrient balance	3,717.92	-4,345.30	-29,447.12	59,565.99
Applied to removed ratio	1.12	0.00	0.00	2.36

B. POUNDS OF NUTRIENT APPLIED VS. CROP REMOVAL

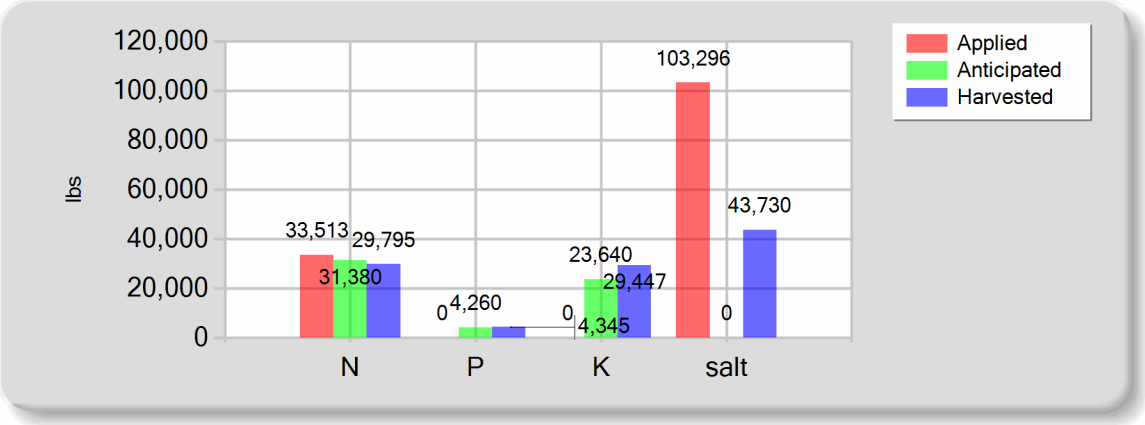

C. POUNDS OF NUTRIENT APPLIED BY MATERIAL TYPE

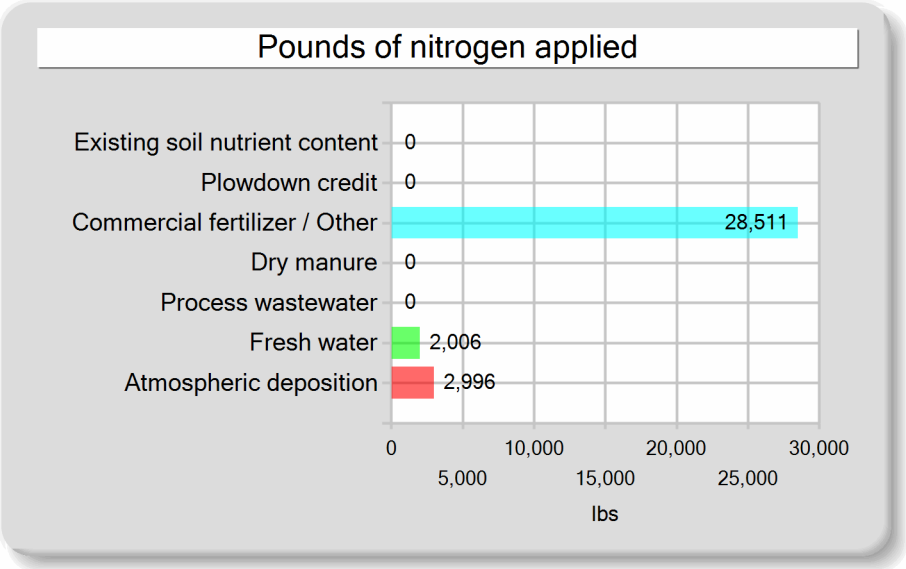

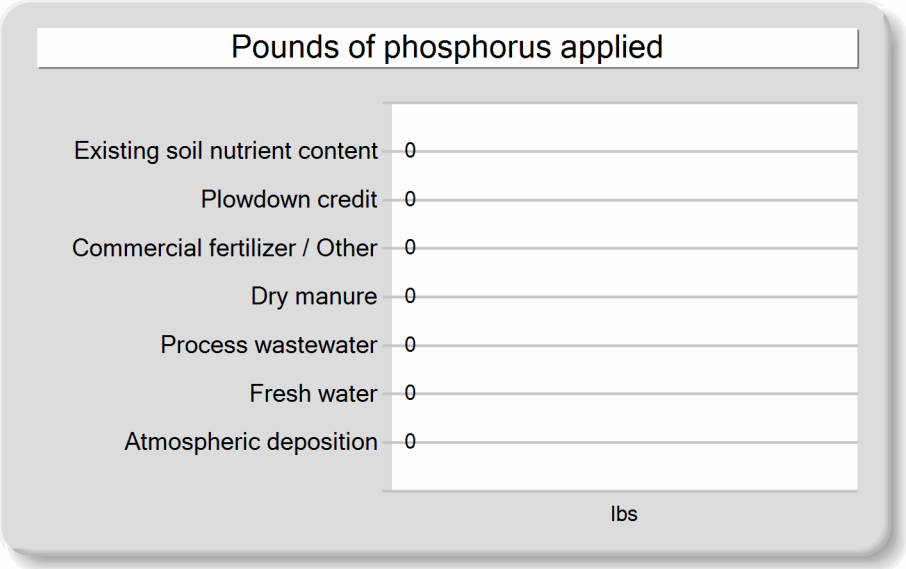

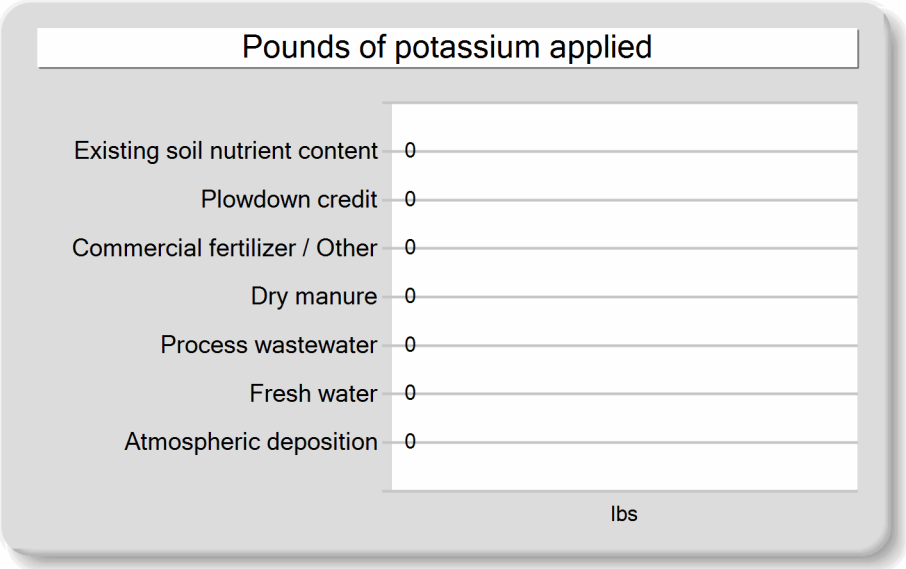

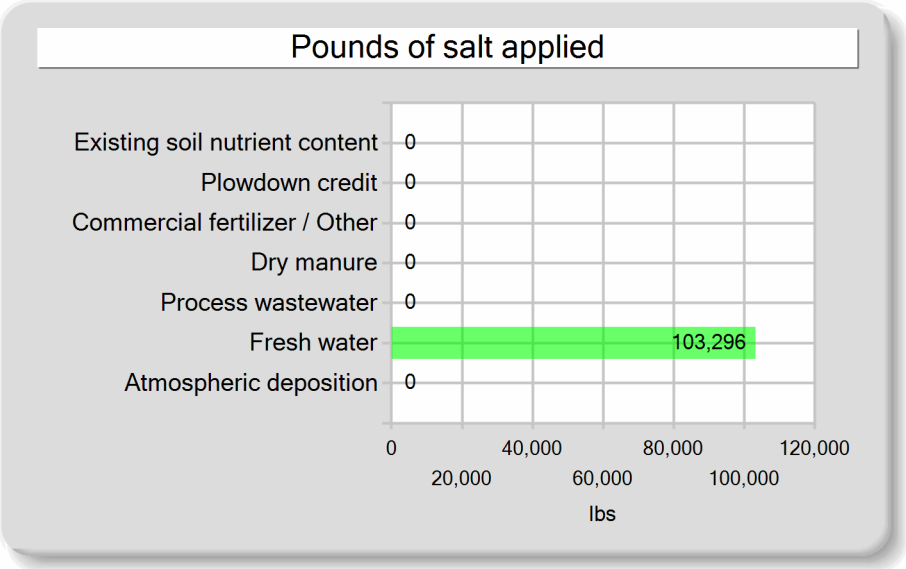

EXCEPTION REPORTING

A. MANURE, PROCESS WASTEWATER, AND OTHER DAIRY WASTE DISCHARGES

The following is a summary of all manure and process wastewater discharges from the production area to surface water or to land areas (land application areas or otherwise) when not in accordance with the facility's Nutrient Management Plan.

No manure or process wastewater discharges occurred during the reporting period.

B. STORM WATER DISCHARGES

The following is a summary of all storm water discharges from the production area to surface water during the reporting period when not in accordance with the facility 's Nutrient Management Plan.

No stormwater discharges occurred during the reporting period.

C. LAND APPLICATION AREA TO SURFACE WATER DISCHARGES

The following is a summary of all discharges from the land application area to surface water that have occurred during the reporting period when not in accordance with the facility's Nutrient Management Plan.

No land application area to surface water discharges occurred during the reporting period.

NUTRIENT MANAGEMENT PLAN AND EXPORT AGREEMENT STATEMENTS

A. NUTRIENT MANAGEMENT PLAN STATEMENTS

Was the facility's NMP updated in the reporting period?	No
Was the facility's NMP developed by a certified nutrient management planner (specialist) as specified in Attachment C of the General Order?	Yes
Was the facility's NMP approved by a certified nutrient management planner (specialist) as specified in Attachment C of the General Order?	Yes

B. EXPORT AGREEMENT STATEMENT

Are there any written agreements with third parties to receive manure or process wastewater that are new or were revised within the reporting period?	No

ADDITIONAL NOTES

A. NOTES

No cattle remained on the facility in 2023 as the facility is in the process of closing. No wastewater remained in the ponds therefore no wastewater samples were taken in 2023. All solid manure was removed from the facility in 2021.

CERTIFICATION

A. OWNER AND/OR OPERATOR CERTIFICATION

I certify under penalty of law that I have personally examined and am familiar with the information submitted in this document and all attachments and that, based on my inquiry of those individuals immediately responsible for obtaining the information, I believe that the information is true, accurate, and complete. I am aware that there are significant penalties for submitting false information, including the possibility of fine and imprisonment.

SIGNATURE OF OWNER OF FACILITY	SIGNATURE OF OPERATOR OF FACILITY
Abraham de Visser	SAME AS OWNER
PRINT OR TYPE NAME	PRINT OR TYPE NAME
6-27-24	
DATE	DATE

ATTACHMENTS

A. REQUIRED ATTACHMENTS

The following lists the required documents that should be attached to the Annual Report when submitted .

Annual Dairy Facility Assessment
Provide an Annual Dairy Facility Assessment (an update to the Preliminary Dairy Facility Assessment in Attachment A) for each reporting period. On the PDFA Final page, click on the ADFA Report button to generate an ADFA report after updating information as needed .

Manure/Process Wastewater Tracking Manifests
Provide copies of all manure/process wastewater tracking manifests for the reporting period, signed by both the owner/operator and the hauler.

Corrective Actions Documents
Provide records documenting any corrective actions taken to correct deficiencies noted as a result of the inspections required in the Monitoring Requirements of the General Order. Deficiencies not corrected in 30 days must be accompanied by an explanation of the factors preventing immediate correction.

Groundwater Monitoring
Dischargers that monitor supply wells or subsurface (tile) drainage systems, or that have monitoring well systems must submit monitoring results as directed in the General Order, Groundwater Reporting Section starting on page MRP-13.

Storm Water Monitoring
Dischargers that are required to monitor storm water more frequently than required in the General Order must submit monitoring results as directed in the General Order, Storm Water Reporting Section on page MRP-14.

DENELE ANALYTICAL, INC.

865 S. KILROY
TURLOCK, CA 95380
PH# 209-634-9055 FAX# 209-634-9057

DAIRY COMPLIANCE

Client: Brum DeVisser Dairy
Mailing address: 4500 Albers Road
(not facility address) Oakdale, CA 95361
Phone#:

Authorized Copy Released To: FAR Ag

Sampled By: Vince Furtado
Project ID:

ANALYSIS TO BE COMPLETED:

IRRIGATION/GROUND WATER
- H1 EC*, NO3-N, NH4-N*
- H6 EC, TN, TDS
- H7 Combination of H1 & H6
- H14 EC, NO3-N, NH4-N, Ca, Mg, Na, Bicarb Carb, SO4, Cl, TDS

PROCESS WASTE WATER
- H3 EC*, NH4-N, TKN, TP, K, TDS
- H4 EC*, NO3-N, NH4-N, TKN, TP, K, TDS
- H5 Ca, Mg, Na, Bicarb, Carb, SO4, Cl
- H8 Combination of H3 &H5
- H9 Combination of H4 &H5

TILE DRAIN
- H2 EC*, NO3-N, TP, NH4-N*, TDS

** Required Field Measurement*

___ (Check here if performed)

DISCHARGE WATER
- E1 EC*, Temp*, pH*, NO3-N, NH4-N, TKN, TP, K, TDS, Dissolved Oxygen*, BOD 5, TSS, Total & Fecal Coliforms
- E2 EC,* Temp*, pH*, NO3-N, NH4-N*, Turbidity, TP, Dissolved Oxygen*, Total & Fecal Coliforms
- E3 EC*, Temp*, pH*, NO3-N, NH4-N*, TP, Total & Fecal Coliforms
- E4 EC*, Temp*, pH*, NO3-N, NH4-N*, Turbidity, TP, Total & Fecal Coliform

MANURE
- M1 % Moisture
- M3 TN TP, K, % Moisture
- M4 Ca, Mg, Na, Bicarb, Carb, SO4, Cl, Ash
- M7 Combination of M3 & M4

PLANT TISSUE
- F18 % Moisture, Ash, TN, P, K, DM and as received
- F18+ % Moisture, Ash, TN, P, K, DM and as received (Package also includes NIR DCAD)
- F19+ % Moisture, TN (Package includes complete plant tissue analysis)

SOIL
- K3 Soluble Phosphorus
- K4 1ft NO3, Organic Matter
- K5 Pre-Plant (2ft NO3), Fall (1-2ft NO3), Fall (2-3ft NO3)
- K6 0-1ft EC, NO3, Soluble P, K, Organic Matter
- K7 Combination of K3 & K4
- K8 Combination of K3 & K5

	Date Collected	Time Collected	Sample ID	Description	Temp	Well Purge	H1	H3	M3	F18	OTHER
1	12-14-23	9:30	Domestic Well 1 - MilkBarn		19.0C		✓				
2	12-14-23	9:40	Domestic Well 2 - House		17.8C		✓				
3											
4											
5											
6											
7											
8											
9											
10											

Analysis

CHAIN OF CUSTODY RECORDING

	Signature	Company	Received Date & Time	Relinquished Date & Time	(LABORATORY USE ONLY) Logged In By:	LABORATORY NUMBER
1st	Vince Furtado	FAR Ag		12-14-23		T3348016
2nd		DENELE ANALYTICAL, INC.	12-14-23 1:00			

Required to be submitted to any agency? (YES / NO)

Denele Analytical, Inc.

865 South Kilroy Avenue Turlock, CA 95380
Phone (209) 634-9055 - Fax (209) 634-9057

www.denelelabs.com

40 N. East Street, Woodland, CA 95776
Phone (530) 666-9056 - Fax (530) 666-9058

Compliance Analysis Report

Customer
BRUM De VISSER DAIRY
4500 Albers Rd
Oakdale, CA 95361

Grower

Consultant:
F & R Ag Services
2857 Geer Rd. Ste A
Turlock, CA 95382

PURCHASE ORDER:
RECEIVED DATE: 12/14/23 1:00 PM
SUBMITTED BY: Vince
ANALYZED DATE: 12/15/23

Irrigation/ Ground Water (H1)
SOURCE: Well Water

NOTES: Temperature was above qualifying at 19.0c

Sample ID	Lab ID	Analyte	Method Ref	Result	Units
Domestic Well 1 -Milk Barn	T3348016A	Electrical Conductivity (EC)	EPA 120.1 and	0.210	mmhos/cm
		Nitrate Nitrogen (NO3-N)	EPA 353.2	3.41	mg/L
		Ammonia Nitrogen (NH3-N)	SM 4500-NH3 D,C	< 0.500	mg/L
		Soluble Salts (SALT-SOL)	Calculation	134	mg/L

Laboratory Quality Control	LCS %	MS %	MSD %	RPD %
Ammonia Nitrogen (NH3-N)	100	98.2 (T3346035A)	98.8 (T3346035A)	0.608
Electrical Conductivity (EC)	100			0.514
Nitrate Nitrogen (NO3-N)	102	98.4 (T3348021A)	103 (T3348021A)	4.70

The warranty of Denele Analytical is limited to the accuracy of the analyses of the samples as received. Denele Analytical assumes no responsibility for which the customer uses our test results, nor liability for any other warranties, express or implied. These terms and conditions shall supercede any conflicting terms and conditions submitted on customer purchase orders or other forms submitted for work.

ELAP Certificate No.: 2714

Denele Analytical, Inc.

865 South Kilroy Avenue Turlock, CA 95380
Phone (209) 634-9055 - Fax (209) 634-9057

www.denelelabs.com

40 N. East Street, Woodland, CA 95776
Phone (530) 666-9056 - Fax (530) 666-9058

Compliance Analysis Report

Customer
BRUM De VISSER DAIRY
4500 Albers Rd
Oakdale, CA 95361

Grower

Consultant:
F & R Ag Services
2857 Geer Rd. Ste A
Turlock, CA 95382

PURCHASE ORDER:
RECEIVED DATE: 12/14/23 1:00 PM
SUBMITTED BY: Vince
ANALYZED DATE: 12/15/23

Irrigation/ Ground Water (H1)
SOURCE: Well Water

NOTES: Temperature was above qualifying at 17.8c

Sample ID	Lab ID	Analyte	Method Ref	Result	Units
Domestic Well 2 - House	T3348016B	Electrical Conductivity (EC)	EPA 120.1 and	0.210	mmhos/cm
		Nitrate Nitrogen (NO3-N)	EPA 353.2	3.47	mg/L
		Ammonia Nitrogen (NH3-N)	SM 4500-NH3 D,C	< 0.500	mg/L
		Soluble Salts (SALT-SOL)	Calculation	135	mg/L

Laboratory Quality Control	LCS %	MS %	MSD %	RPD %
Ammonia Nitrogen (NH3-N)	100	98.2 (T3346035A)	98.8 (T3346035A)	0.608
Electrical Conductivity (EC)	100			0.514
Nitrate Nitrogen (NO3-N)	102	98.4 (T3348021A)	103 (T3348021A)	4.70

The warranty of Denele Analytical is limited to the accuracy of the analyses of the samples as received. Denele Analytical assumes no responsibility for which the customer uses our test results, nor liability for any other warranties, express or implied. These terms and conditions shall supercede any conflicting terms and conditions submitted on customer purchase orders or other forms submitted for work.

ELAP Certificate No.: 2714