Annual Report - General Order No. R5-2007-0035
Reporting period 01/01/2023 to 12/31/2023.

DAIRY FACILITY INFORMATION

A. NAME OF DAIRY OR BUSINESS OPERATING THE DAIRY: Silveira Jerstein Dairy

Physical address of dairy:

Number and Street	City	County	Zip Code
4628 County Road P	Orland	Glenn	95963

Street and nearest cross street (if no address):

Date facility was originally placed in operation: 01/01/1970

Regional Water Quality Control Board Basin Plan designation: Sacramento River Basin

County Assessor Parcel Number(s) for dairy facility:

0044-0330-0001-0009

B. OPERATORS

Silveira, Manuel

Operator name: Silveira, Manuel

Telephone no.: (530) 624-6423 Landline, (209) 678-2094 Cellular

Mailing Address Number and Street	City	State	Zip Code
P.O. Box 963	Orland	CA	95963

This operator is responsible for paying permit fees.

C. OWNERS

Silveira, Rosa Aguiar

Legal owner name: Silveira, Rosa Aguiar

Telephone no.: (530) 865-7855 Landline, (530) 624-3631 Cellular

Mailing Address Number and Street	City	State	Zip Code
4628 Road P	Orland	CA	95963

AVAILABLE NUTRIENTS

A. HERD INFORMATION

	Milk Cows	Dry Cows	Bred Heifers (15-24 mo.)	Heifers (7-14 mo. to breeding)	Calves (4-6 mo.)	Calves (0-3 mo.)
Number open confinement	0	10	15	15	0	0
Number under roof	80	0	0	0	0	0
Maximum number	80	10	15	15	0	0
Average number	80	10	15	15	0	0
Avg live weight (lbs)	1,200	1,250	800	550		

Predominant milk cow breed: Jersey-Holstein Cross

Average milk production: 52 *pounds per cow per day*

B. MANURE GENERATED

Total manure excreted by the herd: 2,301.74 *tons per reporting period*

Total nitrogen from manure: 29,292.79 *lbs per reporting period*

After ammonia losses (30% loss applied): 20,504.95 *lbs per reporting period*

Total phosphorus from manure: 4,858.64 *lbs per reporting period*

Total potassium from manure: 14,374.66 *lbs per reporting period*

Total salt from manure: 39,967.50 *lbs per reporting period*

C. PROCESS WASTEWATER GENERATED

Process wastewater generated: 172,800 *gallons*

Total nitrogen generated: 360.50 *lbs*

Total phosphorus generated: 232.16 *lbs*

Total potassium generated: 1,297.81 *lbs*

Total salt generated: 5,811.32 *lbs*

	172,800	*gallons applied*
+	0	*gallons exported*
-	0	*gallons imported*
=	172,800	*gallons generated*

D. FRESH WATER SOURCES

Source Description	Type
Irrigation District	Surface water

E. SUBSURFACE (TILE) DRAINAGE SOURCES

No subsurface (tile) drainage sources entered.

F. NUTRIENT IMPORTS

No dry manure nutrient imports entered.

No process wastewater nutrient imports entered.

No commercial or other nutrient imports entered.

G. NUTRIENT EXPORTS

No solid nutrient exports entered.

No liquid nutrient exports entered.

APPLICATION AREA

A. LIST OF LAND APPLICATION AREAS

Field name	Controlled acres	Cropable acres	Total harvests	Type of waste applied	Parcel number
1 & 2	37	37	1	both	X044-X330-X001-X000
7279 County Road 11	20	10	1	manure	X046-X130-X009-X000
Totals for areas that were used for application	57	47	2		
Totals for areas that were not used for application					
Land application area totals	57	47	2		

B. CROPS AND HARVESTS

1 & 2

Field name: 1 & 2

11/01/2007: Pasture

Crop: Pasture Acres planted: 37 Plant date: 11/01/2007

Harvest date	Yield	Reporting basis	Density (lbs/cu ft)	Moisture (%)	N (mg/kg)	P (mg/kg)	K (mg/kg)	Salt (mg/kg)	TFS (%)
09/30/2023	370.00 *ton*	Dry-weight		67.9	25,600.00	4,090.00	22,400.00		12.20

	Yield (tons/acre)	Total N (lbs/acre)	Total P (lbs/acre)	Total K (lbs/acre)	Salt (lbs/acre)
Anticipated harvest content	10.00	150.00	30.00	150.00	0.00
Total actual harvest content	10.00	164.35	26.26	143.81	783.24

7279 County Road 11

Field name: 7279 County Road 11

7279 County Road 11

11/01/2020: Pasture

Crop: Pasture Acres planted: 10 Plant date: 11/01/2020

Harvest date	Yield	Reporting basis	Density (lbs/cu ft)	Moisture (%)	N (mg/kg)	P (mg/kg)	K (mg/kg)	Salt (mg/kg)	TFS (%)
09/30/2023	100.00 *ton*	Dry-weight		72.2	22,400.00	4,160.00	20,400.00		12.60

	Yield (tons/acre)	Total N (lbs/acre)	Total P (lbs/acre)	Total K (lbs/acre)	Salt (lbs/acre)
Anticipated harvest content	10.00	150.00	30.00	150.00	0.00
Total actual harvest content	10.00	124.54	23.13	113.42	700.56

NUTRIENT BUDGET

A. LAND APPLICATIONS

1 & 2 - 11/01/2007: Pasture

Field name: 1 & 2

Crop: Pasture

Plant date: 11/01/2007

Application date	Application method	Precipitation 24 hours prior	Precipitation during application	Precipitation 24 hours following
04/27/2023	Surface (irrigation)	No precipitation	No precipitation	No precipitation

Source description	Material type	N (lbs/acre)	P (lbs/acre)	K (lbs/acre)	Salt (lbs/acre)	Amount
Irrigation District	Surface water	0.36	0.00	0.00	77.17	2,280,960.00 *gal*
Application event totals		0.36	0.00	0.00	77.17	

Application date	Application method	Precipitation 24 hours prior	Precipitation during application	Precipitation 24 hours following
05/07/2023	Surface (irrigation)	No precipitation	No precipitation	No precipitation

Source description	Material type	N (lbs/acre)	P (lbs/acre)	K (lbs/acre)	Salt (lbs/acre)	Amount
Irrigation District	Surface water	0.36	0.00	0.00	77.17	2,280,960.00 *gal*
Application event totals		0.36	0.00	0.00	77.17	

Application date	Application method	Precipitation 24 hours prior	Precipitation during application	Precipitation 24 hours following
05/17/2023	Surface (irrigation)	No precipitation	No precipitation	No precipitation

Source description	Material type	N (lbs/acre)	P (lbs/acre)	K (lbs/acre)	Salt (lbs/acre)	Amount
Irrigation District	Surface water	0.36	0.00	0.00	77.17	2,280,960.00 *gal*
Application event totals		0.36	0.00	0.00	77.17	

Application date	Application method	Precipitation 24 hours prior	Precipitation during application	Precipitation 24 hours following
05/27/2023	Surface (irrigation)	No precipitation	No precipitation	No precipitation

Source description	Material type	N (lbs/acre)	P (lbs/acre)	K (lbs/acre)	Salt (lbs/acre)	Amount
Irrigation District	Surface water	0.36	0.00	0.00	77.17	2,280,960.00 *gal*
Application event totals		0.36	0.00	0.00	77.17	

Application date	Application method	Precipitation 24 hours prior	Precipitation during application	Precipitation 24 hours following
06/06/2023	Surface (irrigation)	No precipitation	No precipitation	No precipitation

Source description	Material type	N (lbs/acre)	P (lbs/acre)	K (lbs/acre)	Salt (lbs/acre)	Amount
Irrigation District	Surface water	0.36	0.00	0.00	77.17	2,280,960.00 *gal*
Application event totals		0.36	0.00	0.00	77.17	

1 & 2 - 11/01/2007: Pasture

Application date	Application method	Precipitation 24 hours prior	Precipitation during application	Precipitation 24 hours following
06/16/2023	Surface (irrigation)	No precipitation	No precipitation	No precipitation

Source description	Material type	N (lbs/acre)	P (lbs/acre)	K (lbs/acre)	Salt (lbs/acre)	Amount
Irrigation District	Surface water	0.36	0.00	0.00	77.17	2,280,960.00 *gal*
Application event totals		0.36	0.00	0.00	77.17	

06/26/2023	Surface (irrigation)	No precipitation	No precipitation	No precipitation

Source description	Material type	N (lbs/acre)	P (lbs/acre)	K (lbs/acre)	Salt (lbs/acre)	Amount
Irrigation District	Surface water	0.36	0.00	0.00	77.17	2,280,960.00 *gal*
Application event totals		0.36	0.00	0.00	77.17	

07/06/2023	Surface (irrigation)	No precipitation	No precipitation	No precipitation

Source description	Material type	N (lbs/acre)	P (lbs/acre)	K (lbs/acre)	Salt (lbs/acre)	Amount
Irrigation District	Surface water	0.36	0.00	0.00	77.17	2,280,960.00 *gal*
Application event totals		0.36	0.00	0.00	77.17	

07/16/2023	Surface (irrigation)	No precipitation	No precipitation	No precipitation

Source description	Material type	N (lbs/acre)	P (lbs/acre)	K (lbs/acre)	Salt (lbs/acre)	Amount
Irrigation District	Surface water	0.36	0.00	0.00	77.17	2,280,960.00 *gal*
Application event totals		0.36	0.00	0.00	77.17	

07/26/2023	Surface (irrigation)	No precipitation	No precipitation	No precipitation

Source description	Material type	N (lbs/acre)	P (lbs/acre)	K (lbs/acre)	Salt (lbs/acre)	Amount
Irrigation District	Surface water	0.36	0.00	0.00	77.17	2,280,960.00 *gal*
Application event totals		0.36	0.00	0.00	77.17	

08/05/2023	Surface (irrigation)	No precipitation	No precipitation	No precipitation

Source description	Material type	N (lbs/acre)	P (lbs/acre)	K (lbs/acre)	Salt (lbs/acre)	Amount
Irrigation District	Surface water	0.36	0.00	0.00	77.17	2,280,960.00 *gal*
Application event totals		0.36	0.00	0.00	77.17	

1 & 2 - 11/01/2007: Pasture

Application date	Application method	Precipitation 24 hours prior	Precipitation during application	Precipitation 24 hours following
08/15/2023	Surface (irrigation)	No precipitation	No precipitation	No precipitation

Source description	Material type	N (lbs/acre)	P (lbs/acre)	K (lbs/acre)	Salt (lbs/acre)	Amount
Irrigation District	Surface water	0.36	0.00	0.00	77.17	2,280,960.00 *gal*
Application event totals		0.36	0.00	0.00	77.17	

08/25/2023	Surface (irrigation)	No precipitation	No precipitation	No precipitation

Source description	Material type	N (lbs/acre)	P (lbs/acre)	K (lbs/acre)	Salt (lbs/acre)	Amount
Irrigation District	Surface water	0.36	0.00	0.00	77.17	2,280,960.00 *gal*
Application event totals		0.36	0.00	0.00	77.17	

09/04/2023	Surface (irrigation)	No precipitation	No precipitation	No precipitation

Source description	Material type	N (lbs/acre)	P (lbs/acre)	K (lbs/acre)	Salt (lbs/acre)	Amount
Irrigation District	Surface water	0.36	0.00	0.00	77.17	2,280,960.00 *gal*
Application event totals		0.36	0.00	0.00	77.17	

09/14/2023	Surface (irrigation)	No precipitation	No precipitation	No precipitation

Source description	Material type	N (lbs/acre)	P (lbs/acre)	K (lbs/acre)	Salt (lbs/acre)	Amount
Irrigation District	Surface water	0.36	0.00	0.00	77.17	2,280,960.00 *gal*
Application event totals		0.36	0.00	0.00	77.17	

09/24/2023	Surface (irrigation)	No precipitation	No precipitation	No precipitation

Source description	Material type	N (lbs/acre)	P (lbs/acre)	K (lbs/acre)	Salt (lbs/acre)	Amount
Irrigation District	Surface water	0.36	0.00	0.00	77.17	2,280,960.00 *gal*
Application event totals		0.36	0.00	0.00	77.17	

10/16/2023	Surface (irrigation)	No precipitation	No precipitation	No precipitation

Source description	Material type	N (lbs/acre)	P (lbs/acre)	K (lbs/acre)	Salt (lbs/acre)	Amount
Wastewater	Process wastewater	4.87	3.14	17.54	78.53	86,400.00 *gal*
Application event totals		4.87	3.14	17.54	78.53	

1 & 2 - 11/01/2007: Pasture

Application date	Application method	Precipitation 24 hours prior	Precipitation during application	Precipitation 24 hours following
10/30/2023	Surface (irrigation)	No precipitation	No precipitation	No precipitation

Source description	Material type	N (lbs/acre)	P (lbs/acre)	K (lbs/acre)	Salt (lbs/acre)	Amount
Wastewater	Process wastewater	4.87	3.14	17.54	78.53	86,400.00 *gal*
Application event totals		4.87	3.14	17.54	78.53	

11/15/2023	Broadcast/incorporate	No precipitation	No precipitation	No precipitation

Source description	Material type	N (lbs/acre)	P (lbs/acre)	K (lbs/acre)	Salt (lbs/acre)	Amount
Manure	Corral solids	19.57	14.89	11.05	0.00	30.00 *ton*
Application event totals		19.57	14.89	11.05	0.00	

7279 County Road 11 - 11/01/2020: Pasture

Field name: 7279 County Road 11

Crop: Pasture

Plant date: 11/01/2020

Application date	Application method	Precipitation 24 hours prior	Precipitation during application	Precipitation 24 hours following
04/30/2023	Surface (irrigation)	No precipitation	No precipitation	No precipitation

Source description	Material type	N (lbs/acre)	P (lbs/acre)	K (lbs/acre)	Salt (lbs/acre)	Amount
Irrigation District	Surface water	0.36	0.00	0.00	77.50	619,117.00 *gal*
Application event totals		0.36	0.00	0.00	77.50	

05/10/2023	Surface (irrigation)	No precipitation	No precipitation	No precipitation

Source description	Material type	N (lbs/acre)	P (lbs/acre)	K (lbs/acre)	Salt (lbs/acre)	Amount
Irrigation District	Surface water	0.36	0.00	0.00	77.50	619,117.00 *gal*
Application event totals		0.36	0.00	0.00	77.50	

05/20/2023	Surface (irrigation)	No precipitation	No precipitation	No precipitation

Source description	Material type	N (lbs/acre)	P (lbs/acre)	K (lbs/acre)	Salt (lbs/acre)	Amount
Irrigation District	Surface water	0.36	0.00	0.00	77.50	619,117.00 *gal*
Application event totals		0.36	0.00	0.00	77.50	

7279 County Road 11 - 11/01/2020: Pasture

Application date	Application method	Precipitation 24 hours prior	Precipitation during application	Precipitation 24 hours following
05/30/2023	Surface (irrigation)	No precipitation	No precipitation	No precipitation

Source description	Material type	N (lbs/acre)	P (lbs/acre)	K (lbs/acre)	Salt (lbs/acre)	Amount
Irrigation District	Surface water	0.36	0.00	0.00	77.50	619,117.00 *gal*
Application event totals		0.36	0.00	0.00	77.50	

Application date	Application method	Precipitation 24 hours prior	Precipitation during application	Precipitation 24 hours following
06/09/2023	Surface (irrigation)	No precipitation	No precipitation	No precipitation

Source description	Material type	N (lbs/acre)	P (lbs/acre)	K (lbs/acre)	Salt (lbs/acre)	Amount
Irrigation District	Surface water	0.36	0.00	0.00	77.50	619,117.00 *gal*
Application event totals		0.36	0.00	0.00	77.50	

Application date	Application method	Precipitation 24 hours prior	Precipitation during application	Precipitation 24 hours following
06/19/2023	Surface (irrigation)	No precipitation	No precipitation	No precipitation

Source description	Material type	N (lbs/acre)	P (lbs/acre)	K (lbs/acre)	Salt (lbs/acre)	Amount
Irrigation District	Surface water	0.36	0.00	0.00	77.50	619,117.00 *gal*
Application event totals		0.36	0.00	0.00	77.50	

Application date	Application method	Precipitation 24 hours prior	Precipitation during application	Precipitation 24 hours following
06/29/2023	Surface (irrigation)	No precipitation	No precipitation	No precipitation

Source description	Material type	N (lbs/acre)	P (lbs/acre)	K (lbs/acre)	Salt (lbs/acre)	Amount
Irrigation District	Surface water	0.36	0.00	0.00	77.50	619,117.00 *gal*
Application event totals		0.36	0.00	0.00	77.50	

Application date	Application method	Precipitation 24 hours prior	Precipitation during application	Precipitation 24 hours following
07/09/2023	Surface (irrigation)	No precipitation	No precipitation	No precipitation

Source description	Material type	N (lbs/acre)	P (lbs/acre)	K (lbs/acre)	Salt (lbs/acre)	Amount
Irrigation District	Surface water	0.36	0.00	0.00	77.50	619,117.00 *gal*
Application event totals		0.36	0.00	0.00	77.50	

Application date	Application method	Precipitation 24 hours prior	Precipitation during application	Precipitation 24 hours following
07/19/2023	Surface (irrigation)	No precipitation	No precipitation	No precipitation

Source description	Material type	N (lbs/acre)	P (lbs/acre)	K (lbs/acre)	Salt (lbs/acre)	Amount
Irrigation District	Surface water	0.36	0.00	0.00	76.37	610,117.00 *gal*
Application event totals		0.36	0.00	0.00	76.37	

7279 County Road 11 - 11/01/2020: Pasture

Application date	Application method	Precipitation 24 hours prior	Precipitation during application	Precipitation 24 hours following
07/29/2023	Surface (irrigation)	No precipitation	No precipitation	No precipitation

Source description	Material type	N (lbs/acre)	P (lbs/acre)	K (lbs/acre)	Salt (lbs/acre)	Amount
Irrigation District	Surface water	0.36	0.00	0.00	77.50	619,117.00 *gal*
Application event totals		0.36	0.00	0.00	77.50	

Application date	Application method	Precipitation 24 hours prior	Precipitation during application	Precipitation 24 hours following
08/08/2023	Surface (irrigation)	No precipitation	No precipitation	No precipitation

Source description	Material type	N (lbs/acre)	P (lbs/acre)	K (lbs/acre)	Salt (lbs/acre)	Amount
Irrigation District	Surface water	0.36	0.00	0.00	77.50	619,117.00 *gal*
Application event totals		0.36	0.00	0.00	77.50	

Application date	Application method	Precipitation 24 hours prior	Precipitation during application	Precipitation 24 hours following
08/18/2023	Surface (irrigation)	No precipitation	No precipitation	No precipitation

Source description	Material type	N (lbs/acre)	P (lbs/acre)	K (lbs/acre)	Salt (lbs/acre)	Amount
Irrigation District	Surface water	0.36	0.00	0.00	77.50	619,117.00 *gal*
Application event totals		0.36	0.00	0.00	77.50	

Application date	Application method	Precipitation 24 hours prior	Precipitation during application	Precipitation 24 hours following
08/28/2023	Surface (irrigation)	No precipitation	No precipitation	No precipitation

Source description	Material type	N (lbs/acre)	P (lbs/acre)	K (lbs/acre)	Salt (lbs/acre)	Amount
Irrigation District	Surface water	0.36	0.00	0.00	77.50	619,117.00 *gal*
Application event totals		0.36	0.00	0.00	77.50	

Application date	Application method	Precipitation 24 hours prior	Precipitation during application	Precipitation 24 hours following
09/07/2023	Surface (irrigation)	No precipitation	No precipitation	No precipitation

Source description	Material type	N (lbs/acre)	P (lbs/acre)	K (lbs/acre)	Salt (lbs/acre)	Amount
Irrigation District	Surface water	0.36	0.00	0.00	77.50	619,117.00 *gal*
Application event totals		0.36	0.00	0.00	77.50	

Application date	Application method	Precipitation 24 hours prior	Precipitation during application	Precipitation 24 hours following
09/17/2023	Surface (irrigation)	No precipitation	No precipitation	No precipitation

Source description	Material type	N (lbs/acre)	P (lbs/acre)	K (lbs/acre)	Salt (lbs/acre)	Amount
Irrigation District	Surface water	0.36	0.00	0.00	77.50	619,117.00 *gal*
Application event totals		0.36	0.00	0.00	77.50	

7279 County Road 11 - 11/01/2020: Pasture

Application date	Application method	Precipitation 24 hours prior	Precipitation during application	Precipitation 24 hours following
09/27/2023	Surface (irrigation)	No precipitation	No precipitation	No precipitation

Source description	Material type	N (lbs/acre)	P (lbs/acre)	K (lbs/acre)	Salt (lbs/acre)	Amount
Irrigation District	Surface water	0.36	0.00	0.00	77.50	619,117.00 *gal*
Application event totals		0.36	0.00	0.00	77.50	

Application date	Application method	Precipitation 24 hours prior	Precipitation during application	Precipitation 24 hours following
11/15/2023	Broadcast/incorporate	No precipitation	No precipitation	No precipitation

Source description	Material type	N (lbs/acre)	P (lbs/acre)	K (lbs/acre)	Salt (lbs/acre)	Amount
Manure	Corral solids	48.28	36.72	27.27	0.00	20.00 *ton*
Application event totals		48.28	36.72	27.27	0.00	

B. NUTRIENT BUDGET

1 & 2 - 11/01/2007: Pasture

Field name: 1 & 2 Crop: Pasture Plant date: 11/01/2007

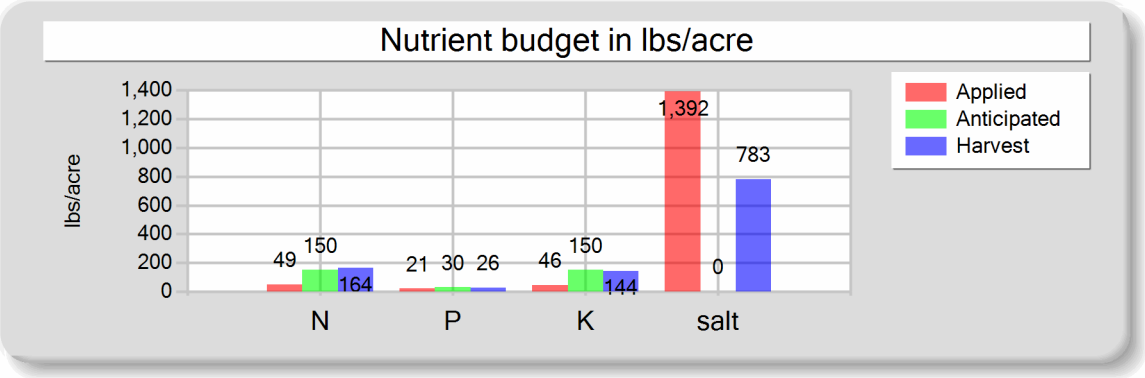

	Total N (lbs/acre)	Total P (lbs/acre)	Total K (lbs/acre)	Total salt (lbs/acre)
Existing soil nutrient content	0.00	0.00	0.00	0.00
Plowdown credit	0.00	0.00	0.00	0.00
Commercial fertilizer / Other	0.00	0.00	0.00	0.00
Dry manure	19.57	14.89	11.05	0.00
Process wastewater	9.74	6.27	35.08	157.06
Fresh water	5.76	0.00	0.00	1,234.68
Atmospheric deposition	14.00	0.00	0.00	0.00
Total nutrients applied	49.08	21.16	46.13	1,391.74
Anticipated crop nutrient removal	150.00	30.00	150.00	0.00
Actual crop nutrient removal	164.35	26.26	143.81	783.24
Nutrient balance	-115.27	-5.10	-97.68	608.50
Applied to removed ratio	0.30	0.81	0.32	1.78

Fresh water applied	
36,495,360.00	*gallons*
1,344.00	*acre-inches*
36.32	*inches/acre*

Process wastewater applied	
172,800.00	*gallons*
6.36	*acre-inches*
0.17	*inches/acre*

Total harvests for the crop	
1	*harvests*

7279 County Road 11 - 11/01/2020: Pasture

Field name: 7279 County Road 11 Crop: Pasture Plant date: 11/01/2020

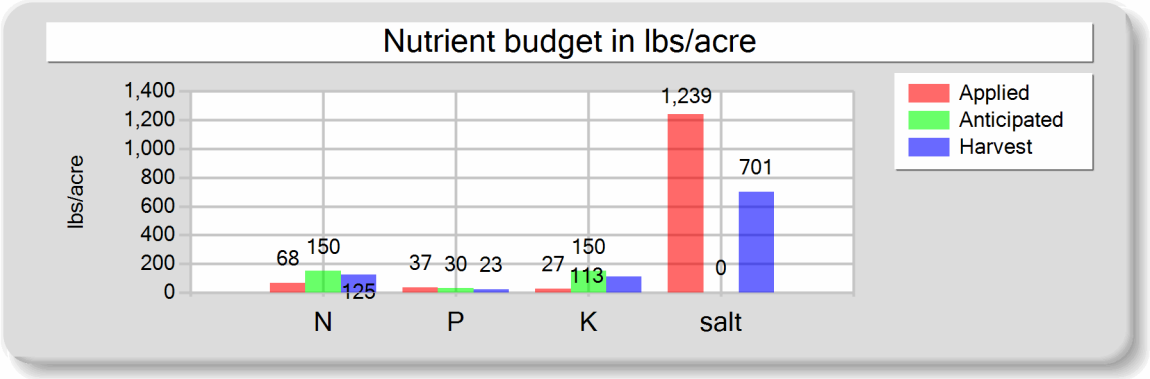

	Total N (lbs/acre)	Total P (lbs/acre)	Total K (lbs/acre)	Total salt (lbs/acre)
Existing soil nutrient content	0.00	0.00	0.00	0.00
Plowdown credit	0.00	0.00	0.00	0.00
Commercial fertilizer / Other	0.00	0.00	0.00	0.00
Dry manure	48.28	36.72	27.27	0.00
Process wastewater	0.00	0.00	0.00	0.00
Fresh water	5.78	0.00	0.00	1,238.84
Atmospheric deposition	14.00	0.00	0.00	0.00
Total nutrients applied	68.06	36.72	27.27	1,238.84
Anticipated crop nutrient removal	150.00	30.00	150.00	0.00
Actual crop nutrient removal	124.54	23.13	113.42	700.56
Nutrient balance	-56.48	13.59	-86.16	538.28
Applied to removed ratio	0.55	1.59	0.24	1.77

Fresh water applied	
9,896,872.00	*gallons*
364.47	*acre-inches*
36.45	*inches/acre*

Process wastewater applied	
0.00	*gallons*
0.00	*acre-inches*
0.00	*inches/acre*

Total harvests for the crop	
1	*harvests*

NUTRIENT ANALYSES

A. MANURE ANALYSES

FGL Agricultural

Sample and source description: FGL Agricultural

Sample date: 07/25/2023 Material type: Corral solids Source of analysis: Lab analysis Method of reporting: Dry-weight

Moisture: 15.0 %

	Total N (mg/kg)	Total P (mg/kg)	Total K (mg/kg)	Calcium (mg/kg)	Magnesium (mg/kg)	Sodium (mg/kg)	Sulfur (mg/kg)	Chloride (mg/kg)	Total salt (mg/kg)	TFS (%)
Value	14,200.00	10,800.00	8,020.00							
DL	100.00	100.00	100.00							

FGL Agricultural

Sample and source description: FGL Agricultural

Sample date: 12/14/2023 Material type: Corral solids Source of analysis: Lab analysis Method of reporting: Dry-weight

Moisture: 68.3 %

	Total N (mg/kg)	Total P (mg/kg)	Total K (mg/kg)	Calcium (mg/kg)	Magnesium (mg/kg)	Sodium (mg/kg)	Sulfur (mg/kg)	Chloride (mg/kg)	Total salt (mg/kg)	TFS (%)
Value	15,400.00	11,500.00	7,860.00							
DL	100.00	100.00	10.00							

B. PROCESS WASTEWATER ANALYSES

FGL Agricultural

Sample and source description: FGL Agricultural

Sample date: 10/15/2023 Material type: Process wastewater Source of analysis: Lab analysis pH:

	Kjeldahl-N (mg/L)	NH4-N (mg/L)	NH3-N (mg/L)	Nitrate-N (mg/L)	Total P (mg/L)	Total K (mg/L)	Calcium (mg/L)	Magnes. (mg/L)	Sodium (mg/L)	Bicarb. (mg/L)	Carb. (mg/L)	Sulfate (mg/L)	Chloride (mg/L)	EC (µmhos/cm)	TDS (mg/L)
Value	250.00	85.00	0.00	0.00	161.00	900.00									4,030
DL	4.00	10.00	4.00	0.40	0.50	5.00									20

C. FRESH WATER ANALYSES

Irrigation District

FGL Agricultural

Sample description: FGL Agricultural

Sample date: 07/25/2023 Source of analysis: Lab analysis

	Total N (mg/L)	NH4-N (mg/L)	Nitrate-N (mg/L)	Calcium (mg/L)	Magnesium (mg/L)	Sodium (mg/L)	Bicarbonate (mg/L)	Carbonate (mg/L)	Sulfate (mg/L)	Chloride (mg/L)	EC (µmhos/cm)	TDS (mg/L)
Value	0.70	0.00	0.00								296.00	150
DL	0.50	0.50	0.40								1.00	20

D. SOIL ANALYSES

1 & 2

FGL Agricultural

Sample and source description: FGL Agricultural

Sample date: 12/14/2023 Source of analysis: Lab analysis

	Nitrate-N (mg/kg)	Total P (mg/kg)	Soluble P (mg/kg)	K (mg/kg)	EC (µmhos/cm)	Organic matter (%)	Total salt (mg/kg)
Value			130.00				
DL			9.90				

E. PLANT TISSUE ANALYSES

1 & 2 - 11/01/2007: Pasture

FGL Agricultural

Sample and source description: FGL Agricultural

Sample date: 07/25/2023 Source of analysis: Lab analysis Method of reporting: Dry-weight

Moisture: 67.9 %

	Total N (mg/kg)	Total P (mg/kg)	Total K (mg/kg)	Total salt (mg/kg)	TFS (%)
Value	25,600.00	4,090.00	22,400.00		12.20
DL	100.00	10.00	100.00		0.10

7279 County Road 11 - 11/01/2020: Pasture

FGL Agricultural

Sample and source description: FGL Agricultural

Sample date: 07/25/2023 Source of analysis: Lab analysis Method of reporting: Dry-weight

Moisture: 72.2 %

	Total N (mg/kg)	Total P (mg/kg)	Total K (mg/kg)	Total salt (mg/kg)	TFS (%)
Value	22,400.00	4,160.00	20,400.00		12.60
DL	100.00	100.00	100.00		0.10

F. SUBSURFACE (TILE) DRAINAGE ANALYSES

No subsurface (tile) drainage analyses entered.

NUTRIENT APPLICATIONS, POTENTIAL REMOVAL, AND BALANCE

A. SUMMARY OF NUTRIENT APPLICATIONS, POTENTIAL REMOVAL, AND BALANCE

	Total N (lbs)	Total P (lbs)	Total K (lbs)	Total salt (lbs)
Existing soil nutrient content	0.00	0.00	0.00	0.00
Plowdown credit	0.00	0.00	0.00	0.00
Commercial fertilizer / Other	0.00	0.00	0.00	0.00
Dry manure	1,207.00	918.00	681.70	0.00
Process wastewater	360.50	232.16	1,297.81	5,811.32
Fresh water	271.00	0.00	0.00	58,071.48
Atmospheric deposition	658.00	0.00	0.00	0.00
Total nutrients applied	2,496.50	1,150.16	1,979.51	63,882.80
Anticipated crop nutrient removal	7,050.00	1,410.00	7,050.00	0.00
Actual crop nutrient removal	7,326.46	1,202.83	6,455.14	35,985.48
Nutrient balance	-4,829.96	-52.67	-4,475.62	27,897.32
Applied to removed ratio	0.34	0.96	0.31	1.78

B. POUNDS OF NUTRIENT APPLIED VS. CROP REMOVAL

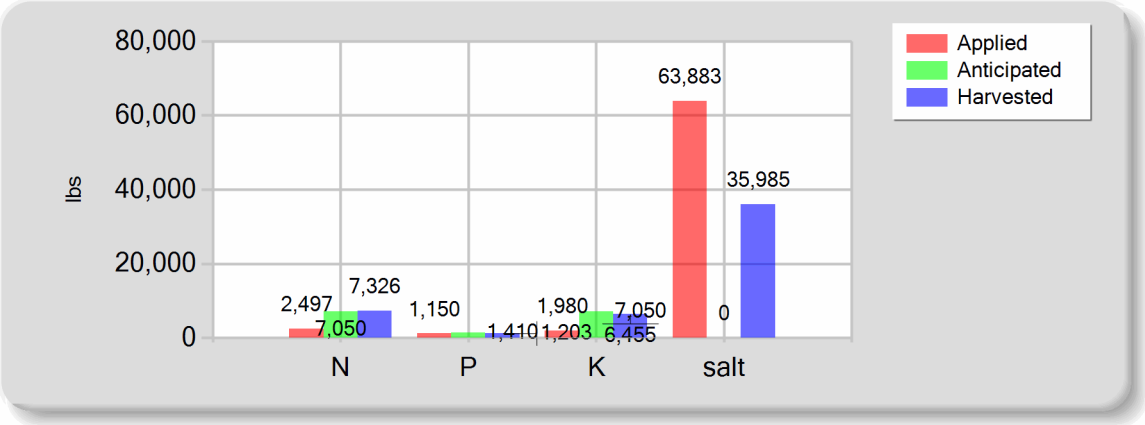

C. POUNDS OF NUTRIENT APPLIED BY MATERIAL TYPE

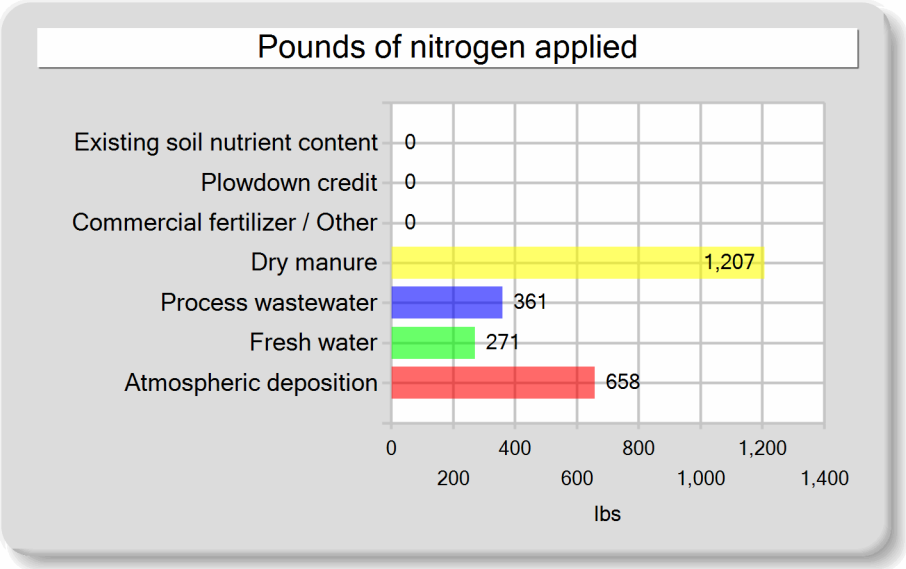

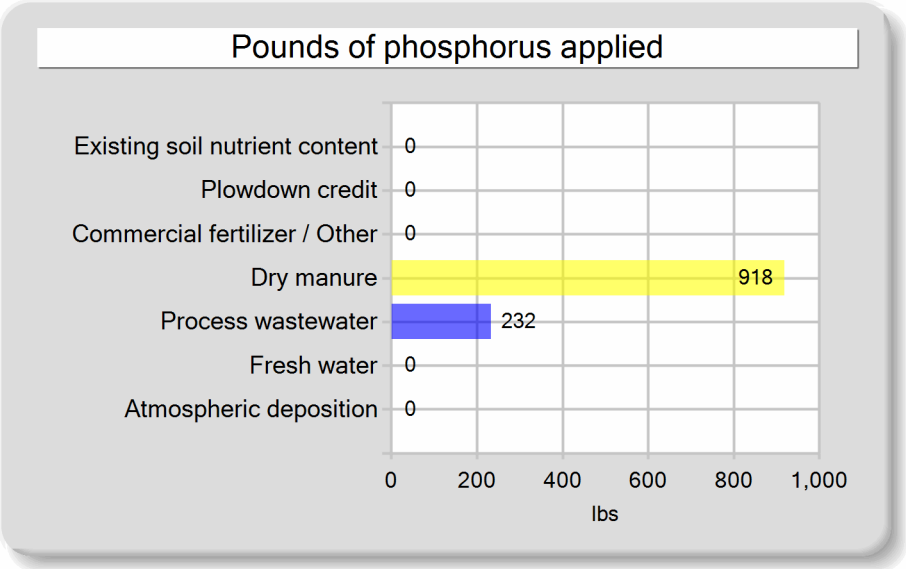

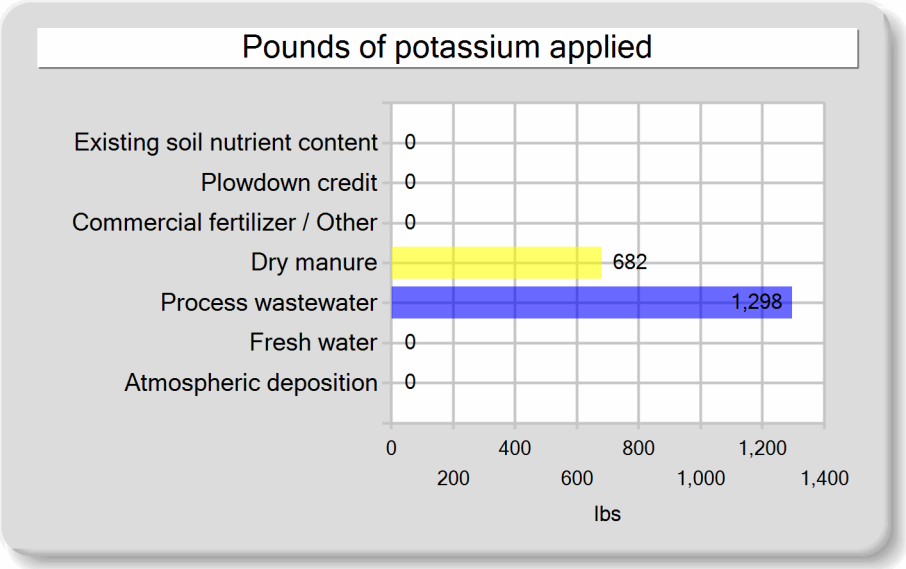

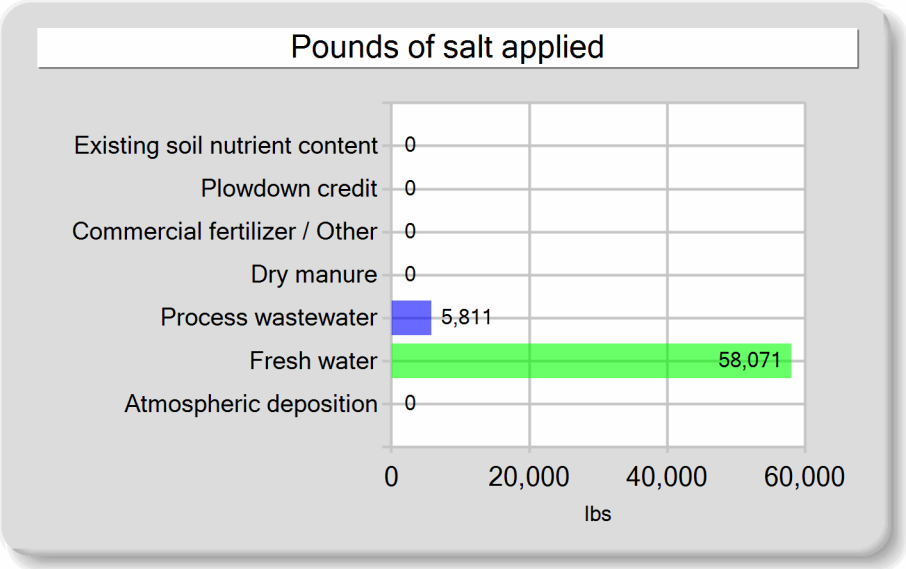

EXCEPTION REPORTING

A. MANURE, PROCESS WASTEWATER, AND OTHER DAIRY WASTE DISCHARGES

The following is a summary of all manure and process wastewater discharges from the production area to surface water or to land areas (land application areas or otherwise) when not in accordance with the facility's Nutrient Management Plan.

No manure or process wastewater discharges occurred during the reporting period.

B. STORM WATER DISCHARGES

The following is a summary of all storm water discharges from the production area to surface water during the reporting period when not in accordance with the facility 's Nutrient Management Plan.

No stormwater discharges occurred during the reporting period.

C. LAND APPLICATION AREA TO SURFACE WATER DISCHARGES

The following is a summary of all discharges from the land application area to surface water that have occurred during the reporting period when not in accordance with the facility's Nutrient Management Plan.

No land application area to surface water discharges occurred during the reporting period.

NUTRIENT MANAGEMENT PLAN AND EXPORT AGREEMENT STATEMENTS

A. NUTRIENT MANAGEMENT PLAN STATEMENTS

Was the facility's NMP updated in the reporting period?	No
Was the facility's NMP developed by a certified nutrient management planner (specialist) as specified in Attachment C of the General Order?	Yes
Was the facility's NMP approved by a certified nutrient management planner (specialist) as specified in Attachment C of the General Order?	Yes

B. EXPORT AGREEMENT STATEMENT

Are there any written agreements with third parties to receive manure or process wastewater that are new or were revised within the reporting period?	No

ADDITIONAL NOTES

A. NOTES

No notes entered for this annual report.

CERTIFICATION

A. OWNER AND/OR OPERATOR CERTIFICATION

I certify under penalty of law that I have personally examined and am familiar with the information submitted in this document and all attachments and that, based on my inquiry of those individuals immediately responsible for obtaining the information, I believe that the information is true, accurate, and complete. I am aware that there are significant penalties for submitting false information, including the possibility of fine and imprisonment.

SIGNATURE OF OWNER OF FACILITY	SIGNATURE OF OPERATOR OF FACILITY
Rosa Aguiar Silveira	Manuel Silveira
PRINT OR TYPE NAME	PRINT OR TYPE NAME
DATE	DATE

ATTACHMENTS

A. REQUIRED ATTACHMENTS

The following lists the required documents that should be attached to the Annual Report when submitted .

Annual Dairy Facility Assessment
Provide an Annual Dairy Facility Assessment (an update to the Preliminary Dairy Facility Assessment in Attachment A) for each reporting period. On the PDFA Final page, click on the ADFA Report button to generate an ADFA report after updating information as needed .

Manure/Process Wastewater Tracking Manifests
Provide copies of all manure/process wastewater tracking manifests for the reporting period, signed by both the owner/operator and the hauler.

Corrective Actions Documents
Provide records documenting any corrective actions taken to correct deficiencies noted as a result of the inspections required in the Monitoring Requirements of the General Order. Deficiencies not corrected in 30 days must be accompanied by an explanation of the factors preventing immediate correction.

Groundwater Monitoring
Dischargers that monitor supply wells or subsurface (tile) drainage systems, or that have monitoring well systems must submit monitoring results as directed in the General Order, Groundwater Reporting Section starting on page MRP-13.

Storm Water Monitoring
Dischargers that are required to monitor storm water more frequently than required in the General Order must submit monitoring results as directed in the General Order, Storm Water Reporting Section on page MRP-14.

CERTIFICATION

A. OWNER AND/OR OPERATOR CERTIFICATION

I certify under penalty of law that I have personally examined and am familiar with the information submitted in this document and all attachments and that, based on my inquiry of those individuals immediately responsible for obtaining the information, I believe that the information is true, accurate, and complete. I am aware that there are significant penalties for submitting false information, including the possibility of fine and imprisonment.

BSilveira	Manuel Silveira
SIGNATURE OF OWNER OF FACILITY	SIGNATURE OF OPERATOR OF FACILITY
Rosa Aguiar Silveira	Manuel Silveira
PRINT OR TYPE NAME	PRINT OR TYPE NAME
6/20/24	6-20-24
DATE	DATE

ıgust 16, 2023

Silveira Jerstein Dairy
PO Box 963
Orland, CA 95963

Lab No. : CH 2371426-001
Customer No. : 7009144

Sampled On : July 25, 2023 at 07:00
Sampled By : Matthew Silveira
Received On : July 28, 2023 at 09:00
Matrix : Ag Water

Description : Irrigation Water
Project : Irrigation Water

Sample Results - Inorganic

Constituent	Result	RL	Units	Note	Dil.	DQF	Sample Preparation			Sample Analysis			
							Date	Time	Who	Method	Date	Time	Who
Dairy Analysis													
Nitrogen, Total Kjeldahl	0.7	0.5	mg/L		1		08/10/2023	14:22	sta	EPA 351.2	08/12/2023	16:59	lcr
Nitrogen, Total as Nitrogen	0.7	0.5	mg/L		1		08/10/2023	14:22	sta	Calc.	08/12/2023	16:59	lcr
Nitrate + Nitrite as N	ND	0.4	mg/L		1	U	08/08/2023	14:00	lfs	SM 4500-NO3 F	08/08/2023	14:39	lfs
Kjeldahl Nitrogen	0.7	0.5	mg/L		1		08/10/2023	14:22	sta	EPA 351.2	08/12/2023	16:59	lcr
Conductivity	296	1	umhos/cm		1		07/31/2023	21:43	amm	SM 4500-H+B	08/01/2023	02:07	amm
Solids, Total Dissolved (TDS)	150	20	mg/L		1		07/31/2023	11:30	ctl	SM 2540 C	08/02/2023	11:30	ctl

DQF Flags Definition:
U Constituent results were non-detect.

ND=Non-Detected, RL=Reporting Level , Dil.=Dilution

Page 2 of 3

Corporate Offices & Laboratory
853 Corporation Street
Santa Paula, CA 93060
TEL: (805)392-2000
Env FAX: (805)525-4172 / Ag FAX: (805)392-2063
CA ELAP Certification No. 1573

Office & Laboratory
2500 Stagecoach Road
Stockton, CA 95215
TEL: (209)942-0182
FAX: (209)942-0423
CA ELAP Certification No. 1563

Office & Laboratory
563 E. Lindo Avenue
Chico, CA 95926
TEL: (530)343-5818
FAX: (530)343-3807
CA ELAP Certification No. 2670

Office & Laboratory
3442 Empresa Drive, Suite D
San Luis Obispo, CA 93401
TEL: (805)783-2940
FAX: (805)783-2912
CA ELAP Certification No. 2775

Office & Laboratory
9415 W. Goshen Avenue
Visalia, CA 93291
TEL: (559)734-9473
FAX: (559)734-8435
CA ELAP Certification No. 2

FGL ENVIRONMENTAL AGRICULTURAL Analytical Chemists

Ar al

CHAIN OF CUSTODY
www.fglinc.com

Laboratory Copy (1 of 2)

71635:01/02/2023

TEST DESCRIPTION - See Reverse side for Container, Preservative and Sampling information | Corp

Client: **Silveira Jerstein Dairy**
Address: PO Box 963
Orland, CA 95963

Phone: (209)867-2106 Fax:
Contact Person: Maria Silveira
Project Name: **Irrigation Water**
Purchase Order Number:
Quote Number: **STK20160224-01**

Sampler(s) Matt

Sampling Fee: _____ Pickup Fee: _____
Compositor Setup Date: ___/___/___ Time: ___/___

Lab Number: **CH** 231426 **7-9144**

Method of Sampling: Composite(C) Grab(G)
Type of Sample **SEE REVERSE SIDE**
Potable(P) Non-Potable(NP) Ag Water(AgW)
Bacti Type: Other(O) System(SYS) Source(SR) Waste(W)
Bacti Reason: Routine(ROUT) Repeat(RPT) Replace(RPL) Other(O) Special(SPL)
Dairy Analysis- IW1 (One event per season on all LAA)
Conductivity,Total N,TDS 16oz(P),-H2SO4 , 16oz(P)
Sampling Directive- IW1: Record volume[2] and source[1] of irrigation water applied and dates applied. In lieu of sampling the irrigation water, the Discharger may provide equivalent data from the local irrigation district.

Samp Num	Location Description	Date Sampled	Time Sampled	Method of Sampling	Type of Sample	Potable(P)	Bacti Type	Bacti Reason	Dairy Analysis- IW1	Sampling Directive- IW1
1	Irrigation Water	7/25/23	700	G	AgW				1,1	X

Remarks:
1.] The Discharger shall monitor irrigation water (from each water well source and canal) that is used on all land application areas(LAA).
2.] Initial volume measurements (gallons or acre-inches) may be the total volume for all land application areas.

Relinquished	Date:	Time:	Relinquished	Date:	Time:	Relinquished	Date:	Time:
Matt	7/28/23	0900	[illegible]	7/28/23	1100	GLS	7/29/23	1309
Received By:	**Date:**	**Time:**	**Received By:**	**Date:**	**Time:**	**Received By:**	**Date:**	**Time:**
[illegible]	7/28/23	0900	GLS	7/28/23	1100	[illegible]	/	/

Corporate Offices & Laboratory
853 Corporation Street
Santa Paula, CA 93060

Office & Laboratory
2500 Stagecoach Road
Stockton, CA 95215
Phone: (209) 942-0182

Office & Laboratory
563 E. Lindo
Chico, CA 95926
Phone: (530) 343-5818

Office & Laboratory
3442 Empresa Drive, Suite D
San Luis Obispo, CA 93401
Phone: (805) 783-2940
Fax: (805) 783-2912

Office & Laboratory
9415 W. Goshen Avenue
Visalia, CA 93291
Phone: (559) 734-9473
Fax: (559) 734-8435

2371426

Inter-Laboratory Condition Upon Receipt (Attach to COC)

Sample Receipt at: CC CH STK VI

1. Number of ice chests/packages received: ROC Shipping tracking #: +
2. Temp IR Gun ID #: 192624494
3. Were samples received in a chilled condition? Temps: Rol / C° / ____ / ____ / ____
   Surface water SWTR bact samples: A sample that has a temperature upon receipt of >10° C, whether iced or not, should be flagged unless the time since sample collection has been less than two hours.

4.	Do the number of bottles received agree with the COC?	Yes	No	N/A
5.	Were samples received intact? (i.e. no broken bottles, leaks etc.)	Yes	No	
6.	VOAs checked for Headspace?	Yes	No	N/A
7.	Were sample custody seals intact?	Yes	No	N/A
8.	If required, was sample split for pH analysis?	Yes	No	N/A
9.	Were all analyses within holding times at time of receipt?	Yes	No	
10.	Verify sample date, time and sampler name	Yes	No	

Sign and date the COC, place in a ziplock and put in the same ice chest as the samples.
Sample Receipt Review completed by (initials): UN

Sample Receipt at SP:

1. Temp IR Gun ID #: N/A
2. Were samples received in a chilled condition? Temps: 2c / ____ / ____ / ____ / ____
   Acceptable is above freezing to 6° C. If many packages are received at one time check for tests/H.T.'s/rushes/
3. Shipping tracking numbers: 5998525321294

4.	Do the number of bottles received agree with the COC?	Yes	No	N/A
5.	Were samples received intact? (i.e. no broken bottles, leaks etc.)	Yes	No	
6.	Were sample custody seals intact?	Yes	No	N/A

Sign and date the COC, obtain LIMS sample numbers, select methods/tests and print labels.

Sample Verification, Labeling and Distribution:

1.	Were all requested analyses understood and acceptable?	Yes	No		
2.	Did bottle labels correspond with the client's ID's?	Yes	No		
3.	Were all bottles requiring sample preservation properly preserved? [Exception: Oil & Grease, VOA and CrVI verified in lab]	Yes	No	N/A	FGL
4.	VOAs checked for Headspace?	Yes	No	N/A	
5.	Were all analyses within holding times at time of receipt?	Yes	No		
6.	Have rush or project due dates been checked and accepted?	Yes	No	N/A	
~~7.~~	~~Were all analyses within holding times at time of receipt?~~	~~Yes~~	~~No~~ MDC		

Attach labels to the containers and include a copy of the COC for lab delivery.
Sample Receipt, Login and Verification completed by (initials): MDC

Discrepancy Documentation:

Any items above which are "No" or do not meet specifications (i.e. temps) must be resolved.

1. Person Contacted: _____ Phone Number: _____
   Initiated By: _____ Date: _____
   Problem:
   Resolution:

2. Person Contacted: _____ Phone Number: _____
   Initiated By: _____
   Problem:
   Resolution:

(Please use the back of this sheet for additional comments or con

(7009144)
Silveira Jerstein Dairy
CH 2371426
iv 07/31/2023 07:35:19
CH 2371426

.gust 16, 2023

Silveira Jerstein Dairy
PO Box 963
Orland, CA 95963

Lab No. : CH 2376073-001
Customer No. : 7009144

Sampled On : July 25, 2023 at 07:00
Sampled By : Matthew Silveira
Received On : July 28, 2023 at 09:00
Matrix : Ground Water

Description : Domestic and Agricultural Supp
Project : Domestic and Agricultural Supply Wells

Sample Results - Inorganic

Constituent	Result	RL	Units	Note	Dil.	DQF	Sample Preparation			Sample Analysis			
Dairy Analysis							Date	Time	Who	Method	Date	Time	Who
Ammonia-N	ND	0.2	mg/L		1	U	08/02/2023	12:41	lcr	SM 4500-NH3 G	08/02/2023	15:05	lcr
Nitrate Nitrogen	6.1	0.4	mg/L		1		08/15/2023	09:00	lfs	SM 4500-NO3 F	08/15/2023	11:29	lfs

DQF Flags Definition:
U Constituent results were non-detect.

ND=Non-Detected, RL=Reporting Level , Dil.=Dilution

Page 2 of 3

Corporate Offices & Laboratory
853 Corporation Street
Santa Paula, CA 93060
TEL: (805)392-2000
Env FAX: (805)525-4172 / Ag FAX: (805)392-2063
CA ELAP Certification No. 1573

Office & Laboratory
2500 Stagecoach Road
Stockton, CA 95215
TEL: (209)942-0182
FAX: (209)942-0423
CA ELAP Certification No. 1563

Office & Laboratory
563 E. Lindo Avenue
Chico, CA 95926
TEL: (530)343-5818
FAX: (530)343-3807
CA ELAP Certification No. 2670

Office & Laboratory
3442 Empresa Drive, Suite D
San Luis Obispo, CA 93401
TEL: (805)783-2940
FAX: (805)783-2912
CA ELAP Certification No. 2775

Office & Laboratory
9415 W. Goshen Avenue
Visalia, CA 93291
TEL: (559)734-9473
FAX: (559)734-8435
CA ELAP Certification No. :

FGL ENVIRONMENTAL AGRICULTURAL Analytical Chemists

An al

CHAIN OF CUSTODY
www.fglinc.com

Laboratory Copy (1 of 2)

71640:01/02/2023

TEST DESCRIPTION - See Reverse side for Container, Preservative and Sampling information

Corp

Client: **Silveira Jerstein Dairy**
Address: PO Box 963
Orland, CA 95963

Phone: (209)867-2106 Fax:
Contact Person: Maria Silveira
Project Name: **Domestic & Ag Supply Wells**
Purchase Order Number:
Quote Number: **STK20160224-01**

Sampler(s) Matt

Sampling Fee: _____ Pickup Fee: _____
Compositor Setup Date: ___/___/___ Time: ___/___

Lab Number: **CH** 2376003 **7-9144**

Samp Num	Location Description	Date Sampled	Time Sampled	Method of Sampling: Composite(C) Grab(G)	Type of Sample **SEE REVERSE SIDE**	Potable(P) Non-Potable(NP) Ag Water(AgW)	Bacti Type: Other(O) System(SYS) Source(SR) Waste(W)	Bacti Reason: Routine(ROUT) Repeat(RPT) Replace(RPL) Other(O) Special(SPL)	Field Test- DAW (Anually) Field E.C.	Field Test- DAW (Anually) Field NH3-N	Dairy Analysis- DAW1 (Anually) NO3-N 8oz(P)	Dairy Analysis- DAW1 (Only if detected[1] in field) NH3-N 16oz(P)-H2SO4	Sampling Directive- DAW1: Sample NO3-N each year with field tests and if field measurement indicates the presence of NH3-N then a laboratory sample of NH3-N analysis is required. See [1] in Remarks below.			
1	Domestic & Ag	7/25/23	1200	G	GW						1	1	X			

Remarks:
Domestic and Agricultural Supply Wells
1.] If field measurement indicates the presence of ammonium nitrogen, the discharger shall collect a sample for laboratory analysis of ammonium nitrogen.

Relinquished	Date:	Time:	Relinquished	Date:	Time:	Relinquished	Date:	Time:
Matt	7/25/23	0900	[illegible]	7/25/23	1700	GLS	7/24/23	1309
Received By:	**Date:**	**Time:**	**Received By:**	**Date:**	**Time:**	**Received By:**	**Date:**	**Time:**
[illegible]	7/25/23	0900	[illegible]	7/25/23	1700		/	/

Corporate Offices & Laboratory
853 Corporation Street
Santa Paula, CA 93060

Office & Laboratory
2500 Stagecoach Road
Stockton, CA 95215
Phone: (209) 942-0182

Office & Laboratory
563 E. Lindo
Chico, CA 95926
Phone: (530) 343-5818

Office & Laboratory
3442 Empresa Drive, Suite D
San Luis Obispo, CA 93401
Phone: (805) 783-2940

Office & Laboratory
9415 W. Goshen Avenue
Visalia, CA 93291
Phone: (559) 734-9473
Fax: (559) 734-8435

2376073

Inter-Laboratory Condition Upon Receipt (Attach to COC)

Sample Receipt at: CC CH STK VI

1. Number of ice chests/packages received: ROC Shipping tracking #: +
2. Temp IR Gun ID #: 192624494
3. Were samples received in a chilled condition? Temps: Ro1 / C° / ____ / ____ / ____
   Surface water SWTR bact samples: A sample that has a temperature upon receipt of >10° C, whether iced or not, should be flagged unless the time since sample collection has been less than two hours.

4. Do the number of bottles received agree with the COC?	Yes	No	N/A
5. Were samples received intact? (i.e. no broken bottles, leaks etc.)	Yes	No	
6. VOAs checked for Headspace?	Yes	No	N/A
7. Were sample custody seals intact?	Yes	No	N/A
8. If required, was sample split for pH analysis?	Yes	No	N/A
9. Were all analyses within holding times at time of receipt?	Yes	No	
10. Verify sample date, time and sampler name	Yes	No	

Sign and date the COC, place in a ziplock and put in the same ice chest as the samples.
Sample Receipt Review completed by (initials): UA

Sample Receipt at SP:

1. Temp IR Gun ID #: N/A
2. Were samples received in a chilled condition? Temps: 2c / ____ / ____ / ____ / ____
   Acceptable is above freezing to 6° C. If many packages are received at one time check for tests/H.T.'s/rushes/
3. Shipping tracking numbers: 559852532 1294

4. Do the number of bottles received agree with the COC?	Yes	No	N/A
5. Were samples received intact? (i.e. no broken bottles, leaks etc.)	Yes	No	
6. Were sample custody seals intact?	Yes	No	N/A

Sign and date the COC, obtain LIMS sample numbers, select methods/tests and print labels.

Sample Verification, Labeling and Distribution:

1. Were all requested analyses understood and acceptable?	Yes	No		
2. Did bottle labels correspond with the client's ID's?	Yes	No		
3. Were all bottles requiring sample preservation properly preserved? [Exception: Oil & Grease, VOA and CrVI verified in lab]	Yes	No	N/A	FGL
4. VOAs checked for Headspace?	Yes	No	N/A	
5. Were all analyses within holding times at time of receipt?	Yes	No		
6. Have rush or project due dates been checked and accepted?	Yes	No	N/A	
7. ~~Were all analyses within holding times at time of receipt?~~	~~Yes~~	~~No~~	MDC	

Attach labels to the containers and include a copy of the COC for lab delivery.
Sample Receipt, Login and Verification completed by (initials): MDC

Discrepancy Documentation:

Any items above which are "No" or do not meet specifications (i.e. temps) must be resolved.

1. Person Contacted: _____ Phone Number: _____
   Initiated By: _____ Date: _____
   Problem:
   Resolution:

2. Person Contacted: _____ Phone Number: _____
   Initiated By: _____
   Problem:
   Resolution:

(Please use the back of this sheet for additional comments or cor

(7009144)
Silveira Jerstein Dairy
CH 2376073
iv 07/31/2023 07:35:32
CH 2376073