**Annual Report - General Order No. R5-2007-0035**
*Reporting period 01/01/2023 to 12/31/2023.*

DAIRY FACILITY INFORMATION

**A. NAME OF DAIRY OR BUSINESS OPERATING THE DAIRY:** Fiscalini Farms

Physical address of dairy:

| Number and Street | City | County | Zip Code |
|---|---|---|---|
| 4848 Jackson RD | Modesto | Stanislaus | 95358 |

Street and nearest cross street (if no address):

Date facility was originally placed in operation: 01/01/1912

Regional Water Quality Control Board Basin Plan designation: San Joaquin River Basin

County Assessor Parcel Number(s) for dairy facility:

X012-X004-X018-XXXX X012-X004-X019-XXXX X012-X004-X020-XXXX

**B. OPERATORS**

Fiscalini, Brian

Operator name: Fiscalini, Brian

Telephone no.: (209) 545-5495 Landline (209) 346-0384 Cellular

| Mailing Address Number and Street | City | State | Zip Code |
|---|---|---|---|
| 4848 Jackson RD | Modesto | CA | 95358 |

**This operator is responsible for paying permit fees.**

**C. OWNERS**

Fiscalini, Brian

Legal owner name: Fiscalini, Brian

Telephone no.: (209) 545-5495 Landline (209) 346-0384 Cellular

| Mailing Address Number and Street | City | State | Zip Code |
|---|---|---|---|
| 4848 Jackson RD | Modesto | CA | 95358 |

**This owner is responsible for paying permit fees.**

Fiscalini, John

| | | | | |
|---|---|---|---|---|
| Legal owner name: | Fiscalini, John | Telephone no.: | (209) 545-5495 | (209) 346-0379 |
| | | | Landline | Cellular |
| 4848 Jackson RD | Modesto | | CA | 95358 |
| Mailing Address Number and Street | City | | State | Zip Code |

**Annual Report - General Order No. R5-2007-0035**
*Reporting period 01/01/2023 to 12/31/2023.*

AVAILABLE NUTRIENTS

## A. HERD INFORMATION

| | Milk Cows | Dry Cows | Bred Heifers (15-24 mo.) | Heifers (7-14 mo. to breeding) | Calves (4-6 mo.) | Calves (0-3 mo.) |
|---|---|---|---|---|---|---|
| Number open confinement | 0 | 0 | 500 | 450 | 200 | 0 |
| Number under roof | 1,475 | 225 | 0 | 0 | 0 | 0 |
| Maximum number | 1,475 | 225 | 500 | 450 | 200 | 0 |
| Average number | 1,475 | 225 | 500 | 450 | 200 | 0 |
| Avg live weight (lbs) | 1,400 | 1,450 | 950 | 700 | | |

Predominant milk cow breed: Holstein

Average milk production: 80 *pounds per cow per day*

## B. MANURE GENERATED

Total manure excreted by the herd: 52,963.75 *tons per reporting period*

Total nitrogen from manure: 658,756.43 *lbs per reporting period*

After ammonia losses (30% loss applied): 461,129.50 *lbs per reporting period*

Total phosphorus from manure: 109,308.89 *lbs per reporting period*

Total potassium from manure: 292,166.86 *lbs per reporting period*

Total salt from manure: 746,242.50 *lbs per reporting period*

## C. PROCESS WASTEWATER GENERATED

Process wastewater generated: 44,445,000 *gallons*

Total nitrogen generated: 218,431.38 *lbs*

Total phosphorus generated: 21,783.62 *lbs*

Total potassium generated: 273,186.18 *lbs*

Total salt generated: 2,070,639.84 *lbs*

| | | |
|---|---|---|
| | 44,445,000 | *gallons applied* |
| + | 0 | *gallons exported* |
| - | 0 | *gallons imported* |
| = | 44,445,000 | *gallons generated* |

## D. FRESH WATER SOURCES

| Source Description | Type |
|---|---|
| Irrigation Well | Ground water |
| MID Lateral 6 | Surface water |

## E. SUBSURFACE (TILE) DRAINAGE SOURCES

*No subsurface (tile) drainage sources entered.*

## F. NUTRIENT IMPORTS

*No dry manure nutrient imports entered.*

*No process wastewater nutrient imports entered.*

| Date | Material type / Description | Quantity | Reporting basis | Moisture (%) | N (%) | P (%) | K (%) | Salt (%) |
|---|---|---|---|---|---|---|---|---|
| 07/27/2023 | Solid commercial fertilizer<br>*27-0-0* | 34.35 *ton* | Dry-weight | 0.1 | 27.000000 | 0.000000 | 0.000000 | 0.000000 |

| Material type | Total N (lbs) | Total P (lbs) | Total K (lbs) | Total salt (lbs) |
|---|---|---|---|---|
| Commercial fertilizer / Other | 18,530.45 | 0.00 | 0.00 | 0.00 |
| Dry manure | 0.00 | 0.00 | 0.00 | 0.00 |
| Process wastewater | 0.00 | 0.00 | 0.00 | 0.00 |
| Total imports for all materials | 18,530.45 | 0.00 | 0.00 | 0.00 |

## G. NUTRIENT EXPORTS

*No solid nutrient exports entered.*

*No liquid nutrient exports entered.*

APPLICATION AREA

## A. LIST OF LAND APPLICATION AREAS

| Field name | Controlled acres | Cropable acres | Total harvests | Type of waste applied | Parcel number |
|---|---|---|---|---|---|
| Field 1 | 112 | 112 | 2 | both | X003-X011-X009-XXXX |
| Field 2 | 78 | 78 | 2 | process wastewater | X012-X004-X004-XXXX |
| Field 3 | 10 | 10 | 2 | both | X012-X004-X018-XXXX |
| Field 4 | 79 | 79 | 2 | both | X012-X004-X026-XXXX |
| Field 5 | 96 | 96 | 2 | process wastewater | X012-X005-X003-XXXX<br>X012-X005-X004-XXXX |
| Field 6 | 77 | 77 | 2 | both | X012-X005-X001-XXXX |
| Field 7 | 6 | 6 | 2 | process wastewater | X012-X004-X019-XXXX |
| Totals for areas that were used for application | 458 | 458 | 14 | | |
| Totals for areas that were not used for application | | | | | |
| Land application area totals | 458 | 458 | 14 | | |

## B. CROPS AND HARVESTS

Field 1

Field name: Field 1

10/26/2022: Wheat, silage, soft dough

Crop: Wheat, silage, soft dough Acres planted: 112 Plant date: 10/26/2022

| Harvest date | Yield | Reporting basis | Density (lbs/cu ft) | Moisture (%) | N (mg/kg) | P (mg/kg) | K (mg/kg) | Salt (mg/kg) | TFS (%) |
|---|---|---|---|---|---|---|---|---|---|
| 04/26/2023 | 2,152.02 *ton* | As-is | | 69.0 | 7,450.00 | 810.00 | 11,200.00 | | 15.30 |

| | Yield (tons/acre) | Total N (lbs/acre) | Total P (lbs/acre) | Total K (lbs/acre) | Salt (lbs/acre) |
|---|---|---|---|---|---|
| Anticipated harvest content | 15.00 | 165.00 | 25.50 | 124.50 | 0.00 |
| Total actual harvest content | 19.21 | 286.30 | 31.13 | 430.40 | 1,822.68 |

## Field 1

### 05/22/2023: Corn, silage

Crop: Corn, silage  Acres planted: 112  Plant date: 05/22/2023

| Harvest date | Yield | Reporting basis | Density (lbs/cu ft) | Moisture (%) | N (mg/kg) | P (mg/kg) | K (mg/kg) | Salt (mg/kg) | TFS (%) |
|---|---|---|---|---|---|---|---|---|---|
| 09/07/2023 | 3,695.53 *ton* | As-is | | 70.2 | 3,700.00 | 590.00 | 3,260.00 | | 6.10 |

| | Yield (tons/acre) | Total N (lbs/acre) | Total P (lbs/acre) | Total K (lbs/acre) | Salt (lbs/acre) |
|---|---|---|---|---|---|
| Anticipated harvest content | 30.00 | 240.00 | 45.00 | 198.00 | 0.00 |
| Total actual harvest content | 33.00 | 244.17 | 38.94 | 215.13 | 1,199.60 |

## Field 2

Field name: Field 2

### 10/26/2022: Wheat Hay

Crop: Wheat Hay  Acres planted: 78  Plant date: 10/26/2022

| Harvest date | Yield | Reporting basis | Density (lbs/cu ft) | Moisture (%) | N (mg/kg) | P (mg/kg) | K (mg/kg) | Salt (mg/kg) | TFS (%) |
|---|---|---|---|---|---|---|---|---|---|
| 05/14/2023 | 383.00 *ton* | As-is | | 18.0 | 13,800.00 | 2,080.00 | 19,000.00 | | 8.88 |

| | Yield (tons/acre) | Total N (lbs/acre) | Total P (lbs/acre) | Total K (lbs/acre) | Salt (lbs/acre) |
|---|---|---|---|---|---|
| Anticipated harvest content | 4.00 | 132.00 | 20.40 | 99.60 | 0.00 |
| Total actual harvest content | 4.91 | 135.52 | 20.43 | 186.59 | 715.09 |

### 06/29/2023: Corn, silage

Crop: Corn, silage  Acres planted: 78  Plant date: 06/29/2023

| Harvest date | Yield | Reporting basis | Density (lbs/cu ft) | Moisture (%) | N (mg/kg) | P (mg/kg) | K (mg/kg) | Salt (mg/kg) | TFS (%) |
|---|---|---|---|---|---|---|---|---|---|
| 10/16/2023 | 2,288.55 *ton* | As-is | | 68.2 | 3,560.00 | 620.00 | 4,620.00 | | 6.80 |

| | Yield (tons/acre) | Total N (lbs/acre) | Total P (lbs/acre) | Total K (lbs/acre) | Salt (lbs/acre) |
|---|---|---|---|---|---|
| Anticipated harvest content | 30.00 | 240.00 | 45.00 | 198.00 | 0.00 |
| Total actual harvest content | 29.34 | 208.90 | 36.38 | 271.11 | 1,268.91 |

## Field 3

Field name: Field 3

### 10/26/2022: Wheat, silage, soft dough

Crop: Wheat, silage, soft dough  Acres planted: 10  Plant date: 10/26/2022

| Harvest date | Yield | Reporting basis | Density (lbs/cu ft) | Moisture (%) | N (mg/kg) | P (mg/kg) | K (mg/kg) | Salt (mg/kg) | TFS (%) |
|---|---|---|---|---|---|---|---|---|---|
| 04/26/2023 | 181.56 *ton* | As-is | | 71.4 | 6,020.00 | 1,270.00 | 10,500.00 | | 14.10 |

| | Yield (tons/acre) | Total N (lbs/acre) | Total P (lbs/acre) | Total K (lbs/acre) | Salt (lbs/acre) |
|---|---|---|---|---|---|
| Anticipated harvest content | 15.00 | 165.00 | 25.50 | 124.50 | 0.00 |
| Total actual harvest content | 18.16 | 218.60 | 46.12 | 381.28 | 1,464.32 |

### 05/22/2023: Corn, silage

Crop: Corn, silage  Acres planted: 10  Plant date: 05/22/2023

| Harvest date | Yield | Reporting basis | Density (lbs/cu ft) | Moisture (%) | N (mg/kg) | P (mg/kg) | K (mg/kg) | Salt (mg/kg) | TFS (%) |
|---|---|---|---|---|---|---|---|---|---|
| 09/07/2023 | 316.27 *ton* | As-is | | 69.8 | 3,260.00 | 590.00 | 3,200.00 | | 6.30 |

| | Yield (tons/acre) | Total N (lbs/acre) | Total P (lbs/acre) | Total K (lbs/acre) | Salt (lbs/acre) |
|---|---|---|---|---|---|
| Anticipated harvest content | 30.00 | 240.00 | 45.00 | 198.00 | 0.00 |
| Total actual harvest content | 31.63 | 206.21 | 37.32 | 202.41 | 1,203.47 |

## Field 4

Field name: Field 4

### 10/26/2022: Wheat, silage, soft dough

Crop: Wheat, silage, soft dough  Acres planted: 79  Plant date: 10/26/2022

| Harvest date | Yield | Reporting basis | Density (lbs/cu ft) | Moisture (%) | N (mg/kg) | P (mg/kg) | K (mg/kg) | Salt (mg/kg) | TFS (%) |
|---|---|---|---|---|---|---|---|---|---|
| 04/27/2023 | 1,652.47 *ton* | As-is | | 69.8 | 7,620.00 | 1,240.00 | 12,800.00 | | 12.00 |

| | Yield (tons/acre) | Total N (lbs/acre) | Total P (lbs/acre) | Total K (lbs/acre) | Salt (lbs/acre) |
|---|---|---|---|---|---|
| Anticipated harvest content | 15.00 | 165.00 | 25.50 | 124.50 | 0.00 |
| Total actual harvest content | 20.92 | 318.78 | 51.88 | 535.48 | 1,516.09 |

## Field 4

### 05/27/2023: Corn, silage

Crop: Corn, silage  Acres planted: 79  Plant date: 05/27/2023

| Harvest date | Yield | Reporting basis | Density (lbs/cu ft) | Moisture (%) | N (mg/kg) | P (mg/kg) | K (mg/kg) | Salt (mg/kg) | TFS (%) |
|---|---|---|---|---|---|---|---|---|---|
| 09/08/2023 | 2,651.33 *ton* | As-is | | 68.8 | 3,740.00 | 680.00 | 3,440.00 | | 5.80 |

| | Yield (tons/acre) | Total N (lbs/acre) | Total P (lbs/acre) | Total K (lbs/acre) | Salt (lbs/acre) |
|---|---|---|---|---|---|
| Anticipated harvest content | 30.00 | 240.00 | 45.00 | 198.00 | 0.00 |
| Total actual harvest content | 33.56 | 251.04 | 45.64 | 230.90 | 1,214.64 |

## Field 5

Field name: Field 5

### 10/27/2022: Wheat Hay

Crop: Wheat Hay  Acres planted: 96  Plant date: 10/27/2022

| Harvest date | Yield | Reporting basis | Density (lbs/cu ft) | Moisture (%) | N (mg/kg) | P (mg/kg) | K (mg/kg) | Salt (mg/kg) | TFS (%) |
|---|---|---|---|---|---|---|---|---|---|
| 05/14/2023 | 391.00 *ton* | As-is | | 16.6 | 24,000.00 | 2,160.00 | 19,900.00 | | 8.86 |

| | Yield (tons/acre) | Total N (lbs/acre) | Total P (lbs/acre) | Total K (lbs/acre) | Salt (lbs/acre) |
|---|---|---|---|---|---|
| Anticipated harvest content | 4.00 | 132.00 | 20.40 | 99.60 | 0.00 |
| Total actual harvest content | 4.07 | 195.50 | 17.60 | 162.10 | 601.92 |

### 06/29/2023: Corn, silage

Crop: Corn, silage  Acres planted: 96  Plant date: 06/29/2023

| Harvest date | Yield | Reporting basis | Density (lbs/cu ft) | Moisture (%) | N (mg/kg) | P (mg/kg) | K (mg/kg) | Salt (mg/kg) | TFS (%) |
|---|---|---|---|---|---|---|---|---|---|
| 10/17/2023 | 2,912.97 *ton* | As-is | | 65.0 | 4,060.00 | 570.00 | 4,720.00 | | 5.90 |

| | Yield (tons/acre) | Total N (lbs/acre) | Total P (lbs/acre) | Total K (lbs/acre) | Salt (lbs/acre) |
|---|---|---|---|---|---|
| Anticipated harvest content | 30.00 | 240.00 | 45.00 | 198.00 | 0.00 |
| Total actual harvest content | 30.34 | 246.39 | 34.59 | 286.44 | 1,253.18 |

## Field 6

Field name: Field 6

### 10/27/2022: Wheat, silage, soft dough

Crop: Wheat, silage, soft dough Acres planted: 77 Plant date: 10/27/2022

| Harvest date | Yield | Reporting basis | Density (lbs/cu ft) | Moisture (%) | N (mg/kg) | P (mg/kg) | K (mg/kg) | Salt (mg/kg) | TFS (%) |
|---|---|---|---|---|---|---|---|---|---|
| 04/28/2023 | 1,615.48 *ton* | As-is | | 70.4 | 6,370.00 | 1,120.00 | 11,100.00 | | 11.40 |

| | Yield (tons/acre) | Total N (lbs/acre) | Total P (lbs/acre) | Total K (lbs/acre) | Salt (lbs/acre) |
|---|---|---|---|---|---|
| Anticipated harvest content | 15.00 | 165.00 | 25.50 | 124.50 | 0.00 |
| Total actual harvest content | 20.98 | 267.29 | 47.00 | 465.76 | 1,415.92 |

### 05/24/2023: Corn, silage

Crop: Corn, silage Acres planted: 77 Plant date: 05/24/2023

| Harvest date | Yield | Reporting basis | Density (lbs/cu ft) | Moisture (%) | N (mg/kg) | P (mg/kg) | K (mg/kg) | Salt (mg/kg) | TFS (%) |
|---|---|---|---|---|---|---|---|---|---|
| 09/09/2023 | 2,679.05 *ton* | As-is | | 68.8 | 3,620.00 | 730.00 | 3,210.00 | | 6.50 |

| | Yield (tons/acre) | Total N (lbs/acre) | Total P (lbs/acre) | Total K (lbs/acre) | Salt (lbs/acre) |
|---|---|---|---|---|---|
| Anticipated harvest content | 30.00 | 240.00 | 45.00 | 198.00 | 0.00 |
| Total actual harvest content | 34.79 | 251.90 | 50.80 | 223.37 | 1,411.20 |

## Field 7

Field name: Field 7

### 10/27/2022: Wheat, silage, soft dough

Crop: Wheat, silage, soft dough Acres planted: 6 Plant date: 10/27/2022

| Harvest date | Yield | Reporting basis | Density (lbs/cu ft) | Moisture (%) | N (mg/kg) | P (mg/kg) | K (mg/kg) | Salt (mg/kg) | TFS (%) |
|---|---|---|---|---|---|---|---|---|---|
| 04/27/2023 | 119.18 *ton* | As-is | | 73.2 | 5,510.00 | 1,080.00 | 10,900.00 | | 12.00 |

| | Yield (tons/acre) | Total N (lbs/acre) | Total P (lbs/acre) | Total K (lbs/acre) | Salt (lbs/acre) |
|---|---|---|---|---|---|
| Anticipated harvest content | 15.00 | 165.00 | 25.50 | 124.50 | 0.00 |
| Total actual harvest content | 19.86 | 218.89 | 42.90 | 433.02 | 1,277.61 |

Field 7

05/24/2023: Corn, silage

Crop: Corn, silage Acres planted: 6 Plant date: 05/24/2023

| Harvest date | Yield | Reporting basis | Density (lbs/cu ft) | Moisture (%) | N (mg/kg) | P (mg/kg) | K (mg/kg) | Salt (mg/kg) | TFS (%) |
|---|---|---|---|---|---|---|---|---|---|
| 09/12/2023 | 174.12 *ton* | As-is | | 70.3 | 3,210.00 | 500.00 | 3,060.00 | | 5.40 |

| | Yield (tons/acre) | Total N (lbs/acre) | Total P (lbs/acre) | Total K (lbs/acre) | Salt (lbs/acre) |
|---|---|---|---|---|---|
| Anticipated harvest content | 30.00 | 240.00 | 45.00 | 198.00 | 0.00 |
| Total actual harvest content | 29.02 | 186.31 | 29.02 | 177.60 | 930.85 |

NUTRIENT BUDGET

## A. LAND APPLICATIONS

### Field 1 - 10/26/2022: Wheat, silage, soft dough

Field name: Field 1

Crop: Wheat, silage, soft dough — Plant date: 10/26/2022

| Application date | Application method | Precipitation 24 hours prior | Precipitation during application | Precipitation 24 hours following |
|---|---|---|---|---|
| 10/11/2022 | Surface (irrigation) | No precipitation | No precipitation | No precipitation |

| Source description | Material type | N (lbs/acre) | P (lbs/acre) | K (lbs/acre) | Salt (lbs/acre) | Amount |
|---|---|---|---|---|---|---|
| WWS | Process wastewater | 74.48 | 6.73 | 106.40 | 683.99 | 2,040,000.00 *gal* |
| MID Lateral 6 | Surface water | 0.00 | 0.00 | 0.00 | 35.91 | 13,770,000.00 *gal* |
| Application event totals | | 74.48 | 6.73 | 106.40 | 719.90 | |

| Application date | Application method | Precipitation 24 hours prior | Precipitation during application | Precipitation 24 hours following |
|---|---|---|---|---|
| 01/23/2023 | Surface (irrigation) | No precipitation | No precipitation | No precipitation |

| Source description | Material type | N (lbs/acre) | P (lbs/acre) | K (lbs/acre) | Salt (lbs/acre) | Amount |
|---|---|---|---|---|---|---|
| WWS | Process wastewater | 69.47 | 8.81 | 105.01 | 802.01 | 1,800,000.00 *gal* |
| Irrigation Well | Ground water | 6.61 | 0.00 | 0.00 | 84.49 | 2,160,000.00 *gal* |
| Application event totals | | 76.09 | 8.81 | 105.01 | 886.51 | |

| Application date | Application method | Precipitation 24 hours prior | Precipitation during application | Precipitation 24 hours following |
|---|---|---|---|---|
| 04/06/2023 | Surface (irrigation) | No precipitation | No precipitation | No precipitation |

| Source description | Material type | N (lbs/acre) | P (lbs/acre) | K (lbs/acre) | Salt (lbs/acre) | Amount |
|---|---|---|---|---|---|---|
| WWS | Process wastewater | 126.61 | 19.46 | 123.46 | 801.12 | 1,920,000.00 *gal* |
| MID Lateral 6 | Surface water | 0.00 | 0.00 | 0.00 | 46.35 | 12,960,000.00 *gal* |
| Application event totals | | 126.61 | 19.46 | 123.46 | 847.47 | |

### Field 1 - 05/22/2023: Corn, silage

Field name: Field 1

Crop: Corn, silage — Plant date: 05/22/2023

| Application date | Application method | Precipitation 24 hours prior | Precipitation during application | Precipitation 24 hours following |
|---|---|---|---|---|

## Field 1 - 05/22/2023: Corn, silage

| Application date | Application method | Precipitation 24 hours prior | Precipitation during application | Precipitation 24 hours following |
|---|---|---|---|---|
| 04/28/2023 | Broadcast/incorporate | No precipitation | No precipitation | No precipitation |

| Source description | Material type | N (lbs/acre) | P (lbs/acre) | K (lbs/acre) | Salt (lbs/acre) | Amount |
|---|---|---|---|---|---|---|
| Separator Solids | Separator solids | 81.42 | 8.99 | 47.00 | 294.71 | 840.00 *ton* |
| Application event totals | | 81.42 | 8.99 | 47.00 | 294.71 | |

| Application date | Application method | Precipitation 24 hours prior | Precipitation during application | Precipitation 24 hours following |
|---|---|---|---|---|
| 05/09/2023 | Surface (irrigation) | No precipitation | No precipitation | No precipitation |

| Source description | Material type | N (lbs/acre) | P (lbs/acre) | K (lbs/acre) | Salt (lbs/acre) | Amount |
|---|---|---|---|---|---|---|
| MID Lateral 6 | Surface water | 0.00 | 0.00 | 0.00 | 59.87 | 16,740,000.00 *gal* |
| Application event totals | | 0.00 | 0.00 | 0.00 | 59.87 | |

| Application date | Application method | Precipitation 24 hours prior | Precipitation during application | Precipitation 24 hours following |
|---|---|---|---|---|
| 06/20/2023 | Surface (irrigation) | No precipitation | No precipitation | No precipitation |

| Source description | Material type | N (lbs/acre) | P (lbs/acre) | K (lbs/acre) | Salt (lbs/acre) | Amount |
|---|---|---|---|---|---|---|
| MID Lateral 6 | Surface water | 0.00 | 0.00 | 0.00 | 54.08 | 15,120,000.00 *gal* |
| Application event totals | | 0.00 | 0.00 | 0.00 | 54.08 | |

| Application date | Application method | Precipitation 24 hours prior | Precipitation during application | Precipitation 24 hours following |
|---|---|---|---|---|
| 06/18/2023 | Sidedress | No precipitation | No precipitation | No precipitation |

| Source description | Material type | N (lbs/acre) | P (lbs/acre) | K (lbs/acre) | Salt (lbs/acre) | Amount |
|---|---|---|---|---|---|---|
| 27-0-0 | Solid commercial fertilizer | 40.50 | 0.00 | 0.00 | 0.00 | |
| Application event totals | | 40.50 | 0.00 | 0.00 | 0.00 | |

| Application date | Application method | Precipitation 24 hours prior | Precipitation during application | Precipitation 24 hours following |
|---|---|---|---|---|
| 06/30/2023 | Surface (irrigation) | No precipitation | No precipitation | No precipitation |

| Source description | Material type | N (lbs/acre) | P (lbs/acre) | K (lbs/acre) | Salt (lbs/acre) | Amount |
|---|---|---|---|---|---|---|
| MID Lateral 6 | Surface water | 0.00 | 0.00 | 0.00 | 52.14 | 14,580,000.00 *gal* |
| Application event totals | | 0.00 | 0.00 | 0.00 | 52.14 | |

| Application date | Application method | Precipitation 24 hours prior | Precipitation during application | Precipitation 24 hours following |
|---|---|---|---|---|
| 07/10/2023 | Surface (irrigation) | No precipitation | No precipitation | No precipitation |

| Source description | Material type | N (lbs/acre) | P (lbs/acre) | K (lbs/acre) | Salt (lbs/acre) | Amount |
|---|---|---|---|---|---|---|
| WWS | Process wastewater | 77.11 | 4.08 | 106.52 | 618.36 | 1,680,000.00 *gal* |
| MID Lateral 6 | Surface water | 0.00 | 0.00 | 0.00 | 54.08 | 15,120,000.00 *gal* |
| Application event totals | | 77.11 | 4.08 | 106.52 | 672.44 | |

## Field 1 - 05/22/2023: Corn, silage

| Application date | Application method | Precipitation 24 hours prior | Precipitation during application | Precipitation 24 hours following |
|---|---|---|---|---|
| 07/21/2023 | Surface (irrigation) | No precipitation | No precipitation | No precipitation |

| Source description | Material type | N (lbs/acre) | P (lbs/acre) | K (lbs/acre) | Salt (lbs/acre) | Amount |
|---|---|---|---|---|---|---|
| WWS | Process wastewater | 71.60 | 3.79 | 98.92 | 574.20 | 1,560,000.00 *gal* |
| MID Lateral 6 | Surface water | 0.00 | 0.00 | 0.00 | 50.21 | 14,040,000.00 *gal* |
| Application event totals | | 71.60 | 3.79 | 98.92 | 624.41 | |

| Application date | Application method | Precipitation 24 hours prior | Precipitation during application | Precipitation 24 hours following |
|---|---|---|---|---|
| 07/31/2023 | Surface (irrigation) | No precipitation | No precipitation | No precipitation |

| Source description | Material type | N (lbs/acre) | P (lbs/acre) | K (lbs/acre) | Salt (lbs/acre) | Amount |
|---|---|---|---|---|---|---|
| MID Lateral 6 | Surface water | 0.00 | 0.00 | 0.00 | 52.14 | 14,580,000.00 *gal* |
| Application event totals | | 0.00 | 0.00 | 0.00 | 52.14 | |

| Application date | Application method | Precipitation 24 hours prior | Precipitation during application | Precipitation 24 hours following |
|---|---|---|---|---|
| 08/10/2023 | Surface (irrigation) | No precipitation | No precipitation | No precipitation |

| Source description | Material type | N (lbs/acre) | P (lbs/acre) | K (lbs/acre) | Salt (lbs/acre) | Amount |
|---|---|---|---|---|---|---|
| WWS | Process wastewater | 57.88 | 4.57 | 70.21 | 627.66 | 1,560,000.00 *gal* |
| MID Lateral 6 | Surface water | 0.00 | 0.00 | 0.00 | 50.21 | 14,040,000.00 *gal* |
| Application event totals | | 57.88 | 4.57 | 70.21 | 677.88 | |

| Application date | Application method | Precipitation 24 hours prior | Precipitation during application | Precipitation 24 hours following |
|---|---|---|---|---|
| 08/22/2023 | Surface (irrigation) | No precipitation | No precipitation | No precipitation |

| Source description | Material type | N (lbs/acre) | P (lbs/acre) | K (lbs/acre) | Salt (lbs/acre) | Amount |
|---|---|---|---|---|---|---|
| MID Lateral 6 | Surface water | 0.00 | 0.00 | 0.00 | 50.21 | 14,040,000.00 *gal* |
| Application event totals | | 0.00 | 0.00 | 0.00 | 50.21 | |

## Field 2 - 10/26/2022: Wheat Hay

Field name: Field 2

Crop: Wheat Hay

Plant date: 10/26/2022

| Application date | Application method | Precipitation 24 hours prior | Precipitation during application | Precipitation 24 hours following |
|---|---|---|---|---|

## Field 2 - 10/26/2022: Wheat Hay

| Application date | Application method | Precipitation 24 hours prior | Precipitation during application | Precipitation 24 hours following |
|---|---|---|---|---|
| 10/12/2022 | Surface (irrigation) | No precipitation | No precipitation | No precipitation |

| Source description | Material type | N (lbs/acre) | P (lbs/acre) | K (lbs/acre) | Salt (lbs/acre) | Amount |
|---|---|---|---|---|---|---|
| WWS | Process wastewater | 69.20 | 6.26 | 98.86 | 635.50 | 1,320,000.00 *gal* |
| MID Lateral 6 | Surface water | 0.00 | 0.00 | 0.00 | 33.36 | 8,910,000.00 *gal* |
| Application event totals | | 69.20 | 6.26 | 98.86 | 668.87 | |

| Application date | Application method | Precipitation 24 hours prior | Precipitation during application | Precipitation 24 hours following |
|---|---|---|---|---|
| 04/07/2023 | Surface (irrigation) | No precipitation | No precipitation | No precipitation |

| Source description | Material type | N (lbs/acre) | P (lbs/acre) | K (lbs/acre) | Salt (lbs/acre) | Amount |
|---|---|---|---|---|---|---|
| WWS | Process wastewater | 113.62 | 17.46 | 110.80 | 718.95 | 1,200,000.00 *gal* |
| MID Lateral 6 | Surface water | 0.00 | 0.00 | 0.00 | 41.60 | 8,100,000.00 *gal* |
| Application event totals | | 113.62 | 17.46 | 110.80 | 760.55 | |

## Field 2 - 06/29/2023: Corn, silage

Field name: Field 2

Crop: Corn, silage

Plant date: 06/29/2023

| Application date | Application method | Precipitation 24 hours prior | Precipitation during application | Precipitation 24 hours following |
|---|---|---|---|---|
| 06/18/2023 | Surface (irrigation) | No precipitation | No precipitation | No precipitation |

| Source description | Material type | N (lbs/acre) | P (lbs/acre) | K (lbs/acre) | Salt (lbs/acre) | Amount |
|---|---|---|---|---|---|---|
| WWS | Process wastewater | 76.68 | 5.58 | 127.95 | 1,319.02 | 1,320,000.00 *gal* |
| MID Lateral 6 | Surface water | 0.00 | 0.00 | 0.00 | 61.01 | 11,880,000.00 *gal* |
| Application event totals | | 76.68 | 5.58 | 127.95 | 1,380.03 | |

| Application date | Application method | Precipitation 24 hours prior | Precipitation during application | Precipitation 24 hours following |
|---|---|---|---|---|
| 07/29/2023 | Surface (irrigation) | No precipitation | No precipitation | No precipitation |

| Source description | Material type | N (lbs/acre) | P (lbs/acre) | K (lbs/acre) | Salt (lbs/acre) | Amount |
|---|---|---|---|---|---|---|
| MID Lateral 6 | Surface water | 0.00 | 0.00 | 0.00 | 55.46 | 10,800,000.00 *gal* |
| Application event totals | | 0.00 | 0.00 | 0.00 | 55.46 | |

## Field 2 - 06/29/2023: Corn, silage

| Application date | Application method | Precipitation 24 hours prior | Precipitation during application | Precipitation 24 hours following |
|---|---|---|---|---|
| 07/27/2023 | Sidedress | No precipitation | No precipitation | No precipitation |

| Source description | Material type | N (lbs/acre) | P (lbs/acre) | K (lbs/acre) | Salt (lbs/acre) | Amount |
|---|---|---|---|---|---|---|
| 27-0-0 | Solid commercial fertilizer | 40.50 | 0.00 | 0.00 | 0.00 | |
| Application event totals | | 40.50 | 0.00 | 0.00 | 0.00 | |

| | | | | |
|---|---|---|---|---|
| 08/08/2023 | Surface (irrigation) | No precipitation | No precipitation | No precipitation |

| Source description | Material type | N (lbs/acre) | P (lbs/acre) | K (lbs/acre) | Salt (lbs/acre) | Amount |
|---|---|---|---|---|---|---|
| WWS | Process wastewater | 60.74 | 4.79 | 73.67 | 658.61 | 1,140,000.00 *gal* |
| MID Lateral 6 | Surface water | 0.00 | 0.00 | 0.00 | 52.69 | 10,260,000.00 *gal* |
| Application event totals | | 60.74 | 4.79 | 73.67 | 711.30 | |

| | | | | |
|---|---|---|---|---|
| 08/20/2023 | Surface (irrigation) | No precipitation | No precipitation | No precipitation |

| Source description | Material type | N (lbs/acre) | P (lbs/acre) | K (lbs/acre) | Salt (lbs/acre) | Amount |
|---|---|---|---|---|---|---|
| WWS | Process wastewater | 60.74 | 4.79 | 73.67 | 658.61 | 1,140,000.00 *gal* |
| MID Lateral 6 | Surface water | 0.00 | 0.00 | 0.00 | 52.69 | 10,260,000.00 *gal* |
| Application event totals | | 60.74 | 4.79 | 73.67 | 711.30 | |

| | | | | |
|---|---|---|---|---|
| 08/31/2023 | Surface (irrigation) | No precipitation | No precipitation | No precipitation |

| Source description | Material type | N (lbs/acre) | P (lbs/acre) | K (lbs/acre) | Salt (lbs/acre) | Amount |
|---|---|---|---|---|---|---|
| MID Lateral 6 | Surface water | 0.00 | 0.00 | 0.00 | 55.46 | 10,800,000.00 *gal* |
| Application event totals | | 0.00 | 0.00 | 0.00 | 55.46 | |

| | | | | |
|---|---|---|---|---|
| 09/10/2023 | Surface (irrigation) | No precipitation | No precipitation | No precipitation |

| Source description | Material type | N (lbs/acre) | P (lbs/acre) | K (lbs/acre) | Salt (lbs/acre) | Amount |
|---|---|---|---|---|---|---|
| WWS | Process wastewater | 50.15 | 4.92 | 33.28 | 769.54 | 1,080,000.00 *gal* |
| MID Lateral 6 | Surface water | 0.00 | 0.00 | 0.00 | 49.92 | 9,720,000.00 *gal* |
| Application event totals | | 50.15 | 4.92 | 33.28 | 819.45 | |

## Field 2 - 06/29/2023: Corn, silage

| Application date | Application method | Precipitation 24 hours prior | Precipitation during application | Precipitation 24 hours following |
|---|---|---|---|---|
| 09/21/2023 | Surface (irrigation) | No precipitation | No precipitation | No precipitation |

| Source description | Material type | N (lbs/acre) | P (lbs/acre) | K (lbs/acre) | Salt (lbs/acre) | Amount |
|---|---|---|---|---|---|---|
| MID Lateral 6 | Surface water | 0.00 | 0.00 | 0.00 | 52.69 | 10,260,000.00 *gal* |
| Application event totals | | 0.00 | 0.00 | 0.00 | 52.69 | |

| Application date | Application method | Precipitation 24 hours prior | Precipitation during application | Precipitation 24 hours following |
|---|---|---|---|---|
| 10/02/2023 | Surface (irrigation) | No precipitation | No precipitation | No precipitation |

| Source description | Material type | N (lbs/acre) | P (lbs/acre) | K (lbs/acre) | Salt (lbs/acre) | Amount |
|---|---|---|---|---|---|---|
| MID Lateral 6 | Surface water | 0.00 | 0.00 | 0.00 | 49.92 | 9,720,000.00 *gal* |
| Application event totals | | 0.00 | 0.00 | 0.00 | 49.92 | |

## Field 3 - 10/26/2022: Wheat, silage, soft dough

Field name: Field 3

Crop: Wheat, silage, soft dough

Plant date: 10/26/2022

| Application date | Application method | Precipitation 24 hours prior | Precipitation during application | Precipitation 24 hours following |
|---|---|---|---|---|
| 10/13/2022 | Surface (irrigation) | No precipitation | No precipitation | No precipitation |

| Source description | Material type | N (lbs/acre) | P (lbs/acre) | K (lbs/acre) | Salt (lbs/acre) | Amount |
|---|---|---|---|---|---|---|
| WWS | Process wastewater | 73.60 | 6.65 | 105.15 | 675.95 | 180,000.00 *gal* |
| MID Lateral 6 | Surface water | 0.00 | 0.00 | 0.00 | 35.49 | 1,215,000.00 *gal* |
| Application event totals | | 73.60 | 6.65 | 105.15 | 711.43 | |

| Application date | Application method | Precipitation 24 hours prior | Precipitation during application | Precipitation 24 hours following |
|---|---|---|---|---|
| 01/24/2023 | Surface (irrigation) | No precipitation | No precipitation | No precipitation |

| Source description | Material type | N (lbs/acre) | P (lbs/acre) | K (lbs/acre) | Salt (lbs/acre) | Amount |
|---|---|---|---|---|---|---|
| WWS | Process wastewater | 51.87 | 6.58 | 78.41 | 598.84 | 120,000.00 *gal* |
| Irrigation Well | Ground water | 4.94 | 0.00 | 0.00 | 63.09 | 144,000.00 *gal* |
| Application event totals | | 56.81 | 6.58 | 78.41 | 661.93 | |

## Field 3 - 10/26/2022: Wheat, silage, soft dough

| Application date | Application method | Precipitation 24 hours prior | Precipitation during application | Precipitation 24 hours following |
|---|---|---|---|---|
| 04/08/2023 | Surface (irrigation) | No precipitation | No precipitation | No precipitation |

| Source description | Material type | N (lbs/acre) | P (lbs/acre) | K (lbs/acre) | Salt (lbs/acre) | Amount |
|---|---|---|---|---|---|---|
| WWS | Process wastewater | 132.94 | 20.43 | 129.63 | 841.18 | 180,000.00 *gal* |
| MID Lateral 6 | Surface water | 0.00 | 0.00 | 0.00 | 48.67 | 1,215,000.00 *gal* |
| Application event totals | | 132.94 | 20.43 | 129.63 | 889.84 | |

## Field 3 - 05/22/2023: Corn, silage

Field name: Field 3

Crop: Corn, silage

Plant date: 05/22/2023

| Application date | Application method | Precipitation 24 hours prior | Precipitation during application | Precipitation 24 hours following |
|---|---|---|---|---|
| 04/28/2023 | Sidedress | No precipitation | No precipitation | No precipitation |

| Source description | Material type | N (lbs/acre) | P (lbs/acre) | K (lbs/acre) | Salt (lbs/acre) | Amount |
|---|---|---|---|---|---|---|
| Separator Solids | Separator solids | 86.85 | 9.59 | 50.14 | 314.35 | 80.00 *ton* |
| Application event totals | | 86.85 | 9.59 | 50.14 | 314.35 | |

| Application date | Application method | Precipitation 24 hours prior | Precipitation during application | Precipitation 24 hours following |
|---|---|---|---|---|
| 05/10/2023 | Surface (irrigation) | No precipitation | No precipitation | No precipitation |

| Source description | Material type | N (lbs/acre) | P (lbs/acre) | K (lbs/acre) | Salt (lbs/acre) | Amount |
|---|---|---|---|---|---|---|
| MID Lateral 6 | Surface water | 0.00 | 0.00 | 0.00 | 64.89 | 1,620,000.00 *gal* |
| Application event totals | | 0.00 | 0.00 | 0.00 | 64.89 | |

| Application date | Application method | Precipitation 24 hours prior | Precipitation during application | Precipitation 24 hours following |
|---|---|---|---|---|
| 06/21/2023 | Surface (irrigation) | No precipitation | No precipitation | No precipitation |

| Source description | Material type | N (lbs/acre) | P (lbs/acre) | K (lbs/acre) | Salt (lbs/acre) | Amount |
|---|---|---|---|---|---|---|
| MID Lateral 6 | Surface water | 0.00 | 0.00 | 0.00 | 54.08 | 1,350,000.00 *gal* |
| Application event totals | | 0.00 | 0.00 | 0.00 | 54.08 | |

| Application date | Application method | Precipitation 24 hours prior | Precipitation during application | Precipitation 24 hours following |
|---|---|---|---|---|
| 06/18/2023 | Sidedress | No precipitation | No precipitation | No precipitation |

| Source description | Material type | N (lbs/acre) | P (lbs/acre) | K (lbs/acre) | Salt (lbs/acre) | Amount |
|---|---|---|---|---|---|---|
| 27-0-0 | Solid commercial fertilizer | 40.50 | 0.00 | 0.00 | 0.00 | |
| Application event totals | | 40.50 | 0.00 | 0.00 | 0.00 | |

Field 3 - 05/22/2023: Corn, silage

| Application date | Application method | Precipitation 24 hours prior | Precipitation during application | Precipitation 24 hours following |
|---|---|---|---|---|
| 07/01/2023 | Surface (irrigation) | No precipitation | No precipitation | No precipitation |

| Source description | Material type | N (lbs/acre) | P (lbs/acre) | K (lbs/acre) | Salt (lbs/acre) | Amount |
|---|---|---|---|---|---|---|
| MID Lateral 6 | Surface water | 0.00 | 0.00 | 0.00 | 54.08 | 1,350,000.00 *gal* |
| Application event totals | | 0.00 | 0.00 | 0.00 | 54.08 | |

| Application date | Application method | Precipitation 24 hours prior | Precipitation during application | Precipitation 24 hours following |
|---|---|---|---|---|
| 07/11/2023 | Surface (irrigation) | No precipitation | No precipitation | No precipitation |

| Source description | Material type | N (lbs/acre) | P (lbs/acre) | K (lbs/acre) | Salt (lbs/acre) | Amount |
|---|---|---|---|---|---|---|
| WWS | Process wastewater | 61.69 | 3.26 | 85.22 | 494.69 | 120,000.00 *gal* |
| MID Lateral 6 | Surface water | 0.00 | 0.00 | 0.00 | 43.26 | 1,080,000.00 *gal* |
| Application event totals | | 61.69 | 3.26 | 85.22 | 537.95 | |

| Application date | Application method | Precipitation 24 hours prior | Precipitation during application | Precipitation 24 hours following |
|---|---|---|---|---|
| 07/22/2023 | Surface (irrigation) | No precipitation | No precipitation | No precipitation |

| Source description | Material type | N (lbs/acre) | P (lbs/acre) | K (lbs/acre) | Salt (lbs/acre) | Amount |
|---|---|---|---|---|---|---|
| WWS | Process wastewater | 61.69 | 3.26 | 85.22 | 494.69 | 120,000.00 *gal* |
| MID Lateral 6 | Surface water | 0.00 | 0.00 | 0.00 | 43.26 | 1,080,000.00 *gal* |
| Application event totals | | 61.69 | 3.26 | 85.22 | 537.95 | |

| Application date | Application method | Precipitation 24 hours prior | Precipitation during application | Precipitation 24 hours following |
|---|---|---|---|---|
| 08/01/2023 | Surface (irrigation) | No precipitation | No precipitation | No precipitation |

| Source description | Material type | N (lbs/acre) | P (lbs/acre) | K (lbs/acre) | Salt (lbs/acre) | Amount |
|---|---|---|---|---|---|---|
| MID Lateral 6 | Surface water | 0.00 | 0.00 | 0.00 | 43.26 | 1,080,000.00 *gal* |
| Application event totals | | 0.00 | 0.00 | 0.00 | 43.26 | |

| Application date | Application method | Precipitation 24 hours prior | Precipitation during application | Precipitation 24 hours following |
|---|---|---|---|---|
| 08/11/2023 | Surface (irrigation) | No precipitation | No precipitation | No precipitation |

| Source description | Material type | N (lbs/acre) | P (lbs/acre) | K (lbs/acre) | Salt (lbs/acre) | Amount |
|---|---|---|---|---|---|---|
| WWS | Process wastewater | 49.87 | 3.94 | 60.48 | 540.76 | 120,000.00 *gal* |
| MID Lateral 6 | Surface water | 0.00 | 0.00 | 0.00 | 43.26 | 1,080,000.00 *gal* |
| Application event totals | | 49.87 | 3.94 | 60.48 | 584.02 | |

## Field 3 - 05/22/2023: Corn, silage

| Application date | Application method | Precipitation 24 hours prior | Precipitation during application | Precipitation 24 hours following |
|---|---|---|---|---|
| 08/23/2023 | Surface (irrigation) | No precipitation | No precipitation | No precipitation |

| Source description | Material type | N (lbs/acre) | P (lbs/acre) | K (lbs/acre) | Salt (lbs/acre) | Amount |
|---|---|---|---|---|---|---|
| MID Lateral 6 | Surface water | 0.00 | 0.00 | 0.00 | 43.26 | 1,080,000.00 *gal* |
| Application event totals | | 0.00 | 0.00 | 0.00 | 43.26 | |

## Field 4 - 10/26/2022: Wheat, silage, soft dough

Field name: Field 4

Crop: Wheat, silage, soft dough

Plant date: 10/26/2022

| Application date | Application method | Precipitation 24 hours prior | Precipitation during application | Precipitation 24 hours following |
|---|---|---|---|---|
| 10/13/2022 | Surface (irrigation) | No precipitation | No precipitation | No precipitation |

| Source description | Material type | N (lbs/acre) | P (lbs/acre) | K (lbs/acre) | Salt (lbs/acre) | Amount |
|---|---|---|---|---|---|---|
| WWS | Process wastewater | 77.64 | 7.02 | 110.91 | 713.02 | 1,500,000.00 *gal* |
| MID Lateral 6 | Surface water | 0.00 | 0.00 | 0.00 | 37.43 | 10,125,000.00 *gal* |
| Application event totals | | 77.64 | 7.02 | 110.91 | 750.46 | |

| Application date | Application method | Precipitation 24 hours prior | Precipitation during application | Precipitation 24 hours following |
|---|---|---|---|---|
| 01/24/2023 | Surface (irrigation) | No precipitation | No precipitation | No precipitation |

| Source description | Material type | N (lbs/acre) | P (lbs/acre) | K (lbs/acre) | Salt (lbs/acre) | Amount |
|---|---|---|---|---|---|---|
| WWS | Process wastewater | 59.10 | 7.50 | 89.33 | 682.22 | 1,080,000.00 *gal* |
| Irrigation Well | Ground water | 5.63 | 0.00 | 0.00 | 71.87 | 1,296,000.00 *gal* |
| Application event totals | | 64.72 | 7.50 | 89.33 | 754.09 | |

| Application date | Application method | Precipitation 24 hours prior | Precipitation during application | Precipitation 24 hours following |
|---|---|---|---|---|
| 04/09/2023 | Surface (irrigation) | No precipitation | No precipitation | No precipitation |

| Source description | Material type | N (lbs/acre) | P (lbs/acre) | K (lbs/acre) | Salt (lbs/acre) | Amount |
|---|---|---|---|---|---|---|
| WWS | Process wastewater | 134.62 | 20.69 | 131.27 | 851.82 | 1,440,000.00 *gal* |
| MID Lateral 6 | Surface water | 0.00 | 0.00 | 0.00 | 49.28 | 9,720,000.00 *gal* |
| Application event totals | | 134.62 | 20.69 | 131.27 | 901.11 | |

## Field 4 - 05/27/2023: Corn, silage

## Field 4 - 05/27/2023: Corn, silage

Field name: Field 4

Crop: Corn, silage

Plant date: 05/27/2023

| Application date | Application method | Precipitation 24 hours prior | Precipitation during application | Precipitation 24 hours following |
|---|---|---|---|---|
| 04/28/2023 | Broadcast/incorporate | No precipitation | No precipitation | No precipitation |

| Source description | Material type | N (lbs/acre) | P (lbs/acre) | K (lbs/acre) | Salt (lbs/acre) | Amount |
|---|---|---|---|---|---|---|
| Separator Solids | Separator solids | 85.20 | 9.41 | 49.18 | 308.38 | 620.00 *ton* |
| Application event totals | | 85.20 | 9.41 | 49.18 | 308.38 | |

| Application date | Application method | Precipitation 24 hours prior | Precipitation during application | Precipitation 24 hours following |
|---|---|---|---|---|
| 05/10/2023 | Surface (irrigation) | No precipitation | No precipitation | No precipitation |

| Source description | Material type | N (lbs/acre) | P (lbs/acre) | K (lbs/acre) | Salt (lbs/acre) | Amount |
|---|---|---|---|---|---|---|
| MID Lateral 6 | Surface water | 0.00 | 0.00 | 0.00 | 71.19 | 14,040,000.00 *gal* |
| Application event totals | | 0.00 | 0.00 | 0.00 | 71.19 | |

| Application date | Application method | Precipitation 24 hours prior | Precipitation during application | Precipitation 24 hours following |
|---|---|---|---|---|
| 06/21/2023 | Surface (irrigation) | No precipitation | No precipitation | No precipitation |

| Source description | Material type | N (lbs/acre) | P (lbs/acre) | K (lbs/acre) | Salt (lbs/acre) | Amount |
|---|---|---|---|---|---|---|
| MID Lateral 6 | Surface water | 0.00 | 0.00 | 0.00 | 65.71 | 12,960,000.00 *gal* |
| Application event totals | | 0.00 | 0.00 | 0.00 | 65.71 | |

| Application date | Application method | Precipitation 24 hours prior | Precipitation during application | Precipitation 24 hours following |
|---|---|---|---|---|
| 06/18/2023 | Sidedress | No precipitation | No precipitation | No precipitation |

| Source description | Material type | N (lbs/acre) | P (lbs/acre) | K (lbs/acre) | Salt (lbs/acre) | Amount |
|---|---|---|---|---|---|---|
| 27-0-0 | Solid commercial fertilizer | 40.50 | 0.00 | 0.00 | 0.00 | |
| Application event totals | | 40.50 | 0.00 | 0.00 | 0.00 | |

| Application date | Application method | Precipitation 24 hours prior | Precipitation during application | Precipitation 24 hours following |
|---|---|---|---|---|
| 07/01/2023 | Surface (irrigation) | No precipitation | No precipitation | No precipitation |

| Source description | Material type | N (lbs/acre) | P (lbs/acre) | K (lbs/acre) | Salt (lbs/acre) | Amount |
|---|---|---|---|---|---|---|
| MID Lateral 6 | Surface water | 0.00 | 0.00 | 0.00 | 62.97 | 12,420,000.00 *gal* |
| Application event totals | | 0.00 | 0.00 | 0.00 | 62.97 | |

## Field 4 - 05/27/2023: Corn, silage

| Application date | Application method | Precipitation 24 hours prior | Precipitation during application | Precipitation 24 hours following |
|---|---|---|---|---|
| 07/11/2023 | Surface (irrigation) | No precipitation | No precipitation | No precipitation |

| Source description | Material type | N (lbs/acre) | P (lbs/acre) | K (lbs/acre) | Salt (lbs/acre) | Amount |
|---|---|---|---|---|---|---|
| WWS | Process wastewater | 81.99 | 4.34 | 113.27 | 657.50 | 1,260,000.00 *gal* |
| MID Lateral 6 | Surface water | 0.00 | 0.00 | 0.00 | 57.50 | 11,340,000.00 *gal* |
| Application event totals | | 81.99 | 4.34 | 113.27 | 715.00 | |

| | | | | |
|---|---|---|---|---|
| 07/22/2023 | Surface (irrigation) | No precipitation | No precipitation | No precipitation |

| Source description | Material type | N (lbs/acre) | P (lbs/acre) | K (lbs/acre) | Salt (lbs/acre) | Amount |
|---|---|---|---|---|---|---|
| WWS | Process wastewater | 81.99 | 4.34 | 113.27 | 657.50 | 1,260,000.00 *gal* |
| MID Lateral 6 | Surface water | 0.00 | 0.00 | 0.00 | 57.50 | 11,340,000.00 *gal* |
| Application event totals | | 81.99 | 4.34 | 113.27 | 715.00 | |

| | | | | |
|---|---|---|---|---|
| 08/01/2023 | Surface (irrigation) | No precipitation | No precipitation | No precipitation |

| Source description | Material type | N (lbs/acre) | P (lbs/acre) | K (lbs/acre) | Salt (lbs/acre) | Amount |
|---|---|---|---|---|---|---|
| MID Lateral 6 | Surface water | 0.00 | 0.00 | 0.00 | 60.24 | 11,880,000.00 *gal* |
| Application event totals | | 0.00 | 0.00 | 0.00 | 60.24 | |

| | | | | |
|---|---|---|---|---|
| 08/11/2023 | Surface (irrigation) | No precipitation | No precipitation | No precipitation |

| Source description | Material type | N (lbs/acre) | P (lbs/acre) | K (lbs/acre) | Salt (lbs/acre) | Amount |
|---|---|---|---|---|---|---|
| WWS | Process wastewater | 63.13 | 4.98 | 76.56 | 684.50 | 1,200,000.00 *gal* |
| MID Lateral 6 | Surface water | 0.00 | 0.00 | 0.00 | 54.76 | 10,800,000.00 *gal* |
| Application event totals | | 63.13 | 4.98 | 76.56 | 739.26 | |

| | | | | |
|---|---|---|---|---|
| 08/23/2023 | Surface (irrigation) | No precipitation | No precipitation | No precipitation |

| Source description | Material type | N (lbs/acre) | P (lbs/acre) | K (lbs/acre) | Salt (lbs/acre) | Amount |
|---|---|---|---|---|---|---|
| MID Lateral 6 | Surface water | 0.00 | 0.00 | 0.00 | 54.76 | 10,800,000.00 *gal* |
| Application event totals | | 0.00 | 0.00 | 0.00 | 54.76 | |

## Field 5 - 10/27/2022: Wheat Hay

Field name: Field 5

Crop: Wheat Hay

Plant date: 10/27/2022

## Field 5 - 10/27/2022: Wheat Hay

| Application date | Application method | Precipitation 24 hours prior | Precipitation during application | Precipitation 24 hours following |
|---|---|---|---|---|
| 10/14/2022 | Surface (irrigation) | No precipitation | No precipitation | No precipitation |

| Source description | Material type | N (lbs/acre) | P (lbs/acre) | K (lbs/acre) | Salt (lbs/acre) | Amount |
|---|---|---|---|---|---|---|
| WWS | Process wastewater | 81.78 | 7.39 | 116.83 | 751.05 | 1,920,000.00 *gal* |
| MID Lateral 6 | Surface water | 0.00 | 0.00 | 0.00 | 39.43 | 12,960,000.00 *gal* |
| Application event totals | | 81.78 | 7.39 | 116.83 | 790.48 | |

| | | | | |
|---|---|---|---|---|
| 04/10/2023 | Surface (irrigation) | No precipitation | No precipitation | No precipitation |

| Source description | Material type | N (lbs/acre) | P (lbs/acre) | K (lbs/acre) | Salt (lbs/acre) | Amount |
|---|---|---|---|---|---|---|
| WWS | Process wastewater | 138.47 | 21.28 | 135.03 | 876.23 | 1,800,000.00 *gal* |
| MID Lateral 6 | Surface water | 0.00 | 0.00 | 0.00 | 50.70 | 12,150,000.00 *gal* |
| Application event totals | | 138.47 | 21.28 | 135.03 | 926.92 | |

## Field 5 - 06/29/2023: Corn, silage

Field name: Field 5

Crop: Corn, silage

Plant date: 06/29/2023

| Application date | Application method | Precipitation 24 hours prior | Precipitation during application | Precipitation 24 hours following |
|---|---|---|---|---|
| 06/19/2023 | Surface (irrigation) | No precipitation | No precipitation | No precipitation |

| Source description | Material type | N (lbs/acre) | P (lbs/acre) | K (lbs/acre) | Salt (lbs/acre) | Amount |
|---|---|---|---|---|---|---|
| WWS | Process wastewater | 87.79 | 6.39 | 146.49 | 1,510.13 | 1,860,000.00 *gal* |
| MID Lateral 6 | Surface water | 0.00 | 0.00 | 0.00 | 69.85 | 16,740,000.00 *gal* |
| Application event totals | | 87.79 | 6.39 | 146.49 | 1,579.98 | |

| | | | | |
|---|---|---|---|---|
| 07/27/2023 | Sidedress | No precipitation | No precipitation | No precipitation |

| Source description | Material type | N (lbs/acre) | P (lbs/acre) | K (lbs/acre) | Salt (lbs/acre) | Amount |
|---|---|---|---|---|---|---|
| 27-0-0 | Solid commercial fertilizer | 40.50 | 0.00 | 0.00 | 0.00 | |
| Application event totals | | 40.50 | 0.00 | 0.00 | 0.00 | |

Field 5 - 06/29/2023: Corn, silage

| Application date | Application method | Precipitation 24 hours prior | Precipitation during application | Precipitation 24 hours following |
|---|---|---|---|---|
| 07/30/2023 | Surface (irrigation) | No precipitation | No precipitation | No precipitation |

| Source description | Material type | N (lbs/acre) | P (lbs/acre) | K (lbs/acre) | Salt (lbs/acre) | Amount |
|---|---|---|---|---|---|---|
| MID Lateral 6 | Surface water | 0.00 | 0.00 | 0.00 | 63.09 | 15,120,000.00 *gal* |
| Application event totals | | 0.00 | 0.00 | 0.00 | 63.09 | |

| | | | | |
|---|---|---|---|---|
| 08/09/2023 | Surface (irrigation) | No precipitation | No precipitation | No precipitation |

| Source description | Material type | N (lbs/acre) | P (lbs/acre) | K (lbs/acre) | Salt (lbs/acre) | Amount |
|---|---|---|---|---|---|---|
| WWS | Process wastewater | 70.13 | 5.53 | 85.06 | 760.44 | 1,620,000.00 *gal* |
| MID Lateral 6 | Surface water | 0.00 | 0.00 | 0.00 | 60.84 | 14,580,000.00 *gal* |
| Application event totals | | 70.13 | 5.53 | 85.06 | 821.27 | |

| | | | | |
|---|---|---|---|---|
| 08/21/2023 | Surface (irrigation) | No precipitation | No precipitation | No precipitation |

| Source description | Material type | N (lbs/acre) | P (lbs/acre) | K (lbs/acre) | Salt (lbs/acre) | Amount |
|---|---|---|---|---|---|---|
| WWS | Process wastewater | 67.53 | 5.33 | 81.91 | 732.27 | 1,560,000.00 *gal* |
| MID Lateral 6 | Surface water | 0.00 | 0.00 | 0.00 | 58.58 | 14,040,000.00 *gal* |
| Application event totals | | 67.53 | 5.33 | 81.91 | 790.86 | |

| | | | | |
|---|---|---|---|---|
| 09/01/2023 | Surface (irrigation) | No precipitation | No precipitation | No precipitation |

| Source description | Material type | N (lbs/acre) | P (lbs/acre) | K (lbs/acre) | Salt (lbs/acre) | Amount |
|---|---|---|---|---|---|---|
| MID Lateral 6 | Surface water | 0.00 | 0.00 | 0.00 | 56.33 | 13,500,000.00 *gal* |
| Application event totals | | 0.00 | 0.00 | 0.00 | 56.33 | |

| | | | | |
|---|---|---|---|---|
| 09/11/2023 | Surface (irrigation) | No precipitation | No precipitation | No precipitation |

| Source description | Material type | N (lbs/acre) | P (lbs/acre) | K (lbs/acre) | Salt (lbs/acre) | Amount |
|---|---|---|---|---|---|---|
| WWS | Process wastewater | 54.33 | 5.33 | 36.05 | 833.67 | 1,440,000.00 *gal* |
| MID Lateral 6 | Surface water | 0.00 | 0.00 | 0.00 | 54.08 | 12,960,000.00 *gal* |
| Application event totals | | 54.33 | 5.33 | 36.05 | 887.74 | |

## Field 5 - 06/29/2023: Corn, silage

| Application date | Application method | Precipitation 24 hours prior | Precipitation during application | Precipitation 24 hours following |
|---|---|---|---|---|
| 09/22/2023 | Surface (irrigation) | No precipitation | No precipitation | No precipitation |

| Source description | Material type | N (lbs/acre) | P (lbs/acre) | K (lbs/acre) | Salt (lbs/acre) | Amount |
|---|---|---|---|---|---|---|
| MID Lateral 6 | Surface water | 0.00 | 0.00 | 0.00 | 54.08 | 12,960,000.00 *gal* |
| Application event totals | | 0.00 | 0.00 | 0.00 | 54.08 | |

| Application date | Application method | Precipitation 24 hours prior | Precipitation during application | Precipitation 24 hours following |
|---|---|---|---|---|
| 10/03/2023 | Surface (irrigation) | No precipitation | No precipitation | No precipitation |

| Source description | Material type | N (lbs/acre) | P (lbs/acre) | K (lbs/acre) | Salt (lbs/acre) | Amount |
|---|---|---|---|---|---|---|
| MID Lateral 6 | Surface water | 0.00 | 0.00 | 0.00 | 51.82 | 12,420,000.00 *gal* |
| Application event totals | | 0.00 | 0.00 | 0.00 | 51.82 | |

## Field 6 - 10/27/2022: Wheat, silage, soft dough

Field name: Field 6

Crop: Wheat, silage, soft dough

Plant date: 10/27/2022

| Application date | Application method | Precipitation 24 hours prior | Precipitation during application | Precipitation 24 hours following |
|---|---|---|---|---|
| 10/15/2022 | Surface (irrigation) | No precipitation | No precipitation | No precipitation |

| Source description | Material type | N (lbs/acre) | P (lbs/acre) | K (lbs/acre) | Salt (lbs/acre) | Amount |
|---|---|---|---|---|---|---|
| WWS | Process wastewater | 76.47 | 6.91 | 109.24 | 702.28 | 1,440,000.00 *gal* |
| MID Lateral 6 | Surface water | 0.00 | 0.00 | 0.00 | 36.87 | 9,720,000.00 *gal* |
| Application event totals | | 76.47 | 6.91 | 109.24 | 739.15 | |

| Application date | Application method | Precipitation 24 hours prior | Precipitation during application | Precipitation 24 hours following |
|---|---|---|---|---|
| 01/25/2023 | Surface (irrigation) | No precipitation | No precipitation | No precipitation |

| Source description | Material type | N (lbs/acre) | P (lbs/acre) | K (lbs/acre) | Salt (lbs/acre) | Amount |
|---|---|---|---|---|---|---|
| WWS | Process wastewater | 67.37 | 8.54 | 101.83 | 777.71 | 1,200,000.00 *gal* |
| Irrigation Well | Ground water | 6.41 | 0.00 | 0.00 | 81.93 | 1,440,000.00 *gal* |
| Application event totals | | 73.78 | 8.54 | 101.83 | 859.64 | |

## Field 6 - 10/27/2022: Wheat, silage, soft dough

| Application date | Application method | Precipitation 24 hours prior | Precipitation during application | Precipitation 24 hours following |
|---|---|---|---|---|
| 04/11/2023 | Surface (irrigation) | No precipitation | No precipitation | No precipitation |

| Source description | Material type | N (lbs/acre) | P (lbs/acre) | K (lbs/acre) | Salt (lbs/acre) | Amount |
|---|---|---|---|---|---|---|
| WWS | Process wastewater | 115.10 | 17.69 | 112.23 | 728.29 | 1,200,000.00 *gal* |
| MID Lateral 6 | Surface water | 0.00 | 0.00 | 0.00 | 42.14 | 8,100,000.00 *gal* |
| Application event totals | | 115.10 | 17.69 | 112.23 | 770.43 | |

## Field 6 - 05/24/2023: Corn, silage

Field name: Field 6

Crop: Corn, silage

Plant date: 05/24/2023

| Application date | Application method | Precipitation 24 hours prior | Precipitation during application | Precipitation 24 hours following |
|---|---|---|---|---|
| 04/28/2023 | Broadcast/incorporate | No precipitation | No precipitation | No precipitation |

| Source description | Material type | N (lbs/acre) | P (lbs/acre) | K (lbs/acre) | Salt (lbs/acre) | Amount |
|---|---|---|---|---|---|---|
| Separator Solids | Separator solids | 84.59 | 9.34 | 48.83 | 306.19 | 600.00 *ton* |
| Application event totals | | 84.59 | 9.34 | 48.83 | 306.19 | |

| | | | | |
|---|---|---|---|---|
| 05/11/2023 | Surface (irrigation) | No precipitation | No precipitation | No precipitation |

| Source description | Material type | N (lbs/acre) | P (lbs/acre) | K (lbs/acre) | Salt (lbs/acre) | Amount |
|---|---|---|---|---|---|---|
| MID Lateral 6 | Surface water | 0.00 | 0.00 | 0.00 | 67.42 | 12,960,000.00 *gal* |
| Application event totals | | 0.00 | 0.00 | 0.00 | 67.42 | |

| | | | | |
|---|---|---|---|---|
| 06/22/2023 | Surface (irrigation) | No precipitation | No precipitation | No precipitation |

| Source description | Material type | N (lbs/acre) | P (lbs/acre) | K (lbs/acre) | Salt (lbs/acre) | Amount |
|---|---|---|---|---|---|---|
| MID Lateral 6 | Surface water | 0.00 | 0.00 | 0.00 | 61.80 | 11,880,000.00 *gal* |
| Application event totals | | 0.00 | 0.00 | 0.00 | 61.80 | |

| | | | | |
|---|---|---|---|---|
| 06/19/2023 | Sidedress | No precipitation | No precipitation | No precipitation |

| Source description | Material type | N (lbs/acre) | P (lbs/acre) | K (lbs/acre) | Salt (lbs/acre) | Amount |
|---|---|---|---|---|---|---|
| 27-0-0 | Solid commercial fertilizer | 40.50 | 0.00 | 0.00 | 0.00 | |
| Application event totals | | 40.50 | 0.00 | 0.00 | 0.00 | |

Field 6 - 05/24/2023: Corn, silage

| Application date | Application method | Precipitation 24 hours prior | Precipitation during application | Precipitation 24 hours following |
|---|---|---|---|---|
| 07/02/2023 | Surface (irrigation) | No precipitation | No precipitation | No precipitation |

| Source description | Material type | N (lbs/acre) | P (lbs/acre) | K (lbs/acre) | Salt (lbs/acre) | Amount |
|---|---|---|---|---|---|---|
| MID Lateral 6 | Surface water | 0.00 | 0.00 | 0.00 | 58.99 | 11,340,000.00 *gal* |
| Application event totals | | 0.00 | 0.00 | 0.00 | 58.99 | |

| | | | | |
|---|---|---|---|---|
| 07/12/2023 | Surface (irrigation) | No precipitation | No precipitation | No precipitation |

| Source description | Material type | N (lbs/acre) | P (lbs/acre) | K (lbs/acre) | Salt (lbs/acre) | Amount |
|---|---|---|---|---|---|---|
| WWS | Process wastewater | 80.11 | 4.24 | 110.67 | 642.46 | 1,200,000.00 *gal* |
| MID Lateral 6 | Surface water | 0.00 | 0.00 | 0.00 | 56.18 | 10,800,000.00 *gal* |
| Application event totals | | 80.11 | 4.24 | 110.67 | 698.64 | |

| | | | | |
|---|---|---|---|---|
| 07/23/2023 | Surface (irrigation) | No precipitation | No precipitation | No precipitation |

| Source description | Material type | N (lbs/acre) | P (lbs/acre) | K (lbs/acre) | Salt (lbs/acre) | Amount |
|---|---|---|---|---|---|---|
| WWS | Process wastewater | 80.11 | 4.24 | 110.67 | 642.46 | 1,200,000.00 *gal* |
| MID Lateral 6 | Surface water | 0.00 | 0.00 | 0.00 | 56.18 | 10,800,000.00 *gal* |
| Application event totals | | 80.11 | 4.24 | 110.67 | 698.64 | |

| | | | | |
|---|---|---|---|---|
| 08/02/2023 | Surface (irrigation) | No precipitation | No precipitation | No precipitation |

| Source description | Material type | N (lbs/acre) | P (lbs/acre) | K (lbs/acre) | Salt (lbs/acre) | Amount |
|---|---|---|---|---|---|---|
| MID Lateral 6 | Surface water | 0.00 | 0.00 | 0.00 | 58.99 | 11,340,000.00 *gal* |
| Application event totals | | 0.00 | 0.00 | 0.00 | 58.99 | |

| | | | | |
|---|---|---|---|---|
| 08/12/2023 | Surface (irrigation) | No precipitation | No precipitation | No precipitation |

| Source description | Material type | N (lbs/acre) | P (lbs/acre) | K (lbs/acre) | Salt (lbs/acre) | Amount |
|---|---|---|---|---|---|---|
| WWS | Process wastewater | 61.53 | 4.86 | 74.62 | 667.17 | 1,140,000.00 *gal* |
| MID Lateral 6 | Surface water | 0.00 | 0.00 | 0.00 | 53.37 | 10,260,000.00 *gal* |
| Application event totals | | 61.53 | 4.86 | 74.62 | 720.54 | |

## Field 6 - 05/24/2023: Corn, silage

| Application date | Application method | Precipitation 24 hours prior | Precipitation during application | Precipitation 24 hours following |
|---|---|---|---|---|
| 08/24/2023 | Surface (irrigation) | No precipitation | No precipitation | No precipitation |

| Source description | Material type | N (lbs/acre) | P (lbs/acre) | K (lbs/acre) | Salt (lbs/acre) | Amount |
|---|---|---|---|---|---|---|
| MID Lateral 6 | Surface water | 0.00 | 0.00 | 0.00 | 53.37 | 10,260,000.00 *gal* |
| Application event totals | | 0.00 | 0.00 | 0.00 | 53.37 | |

## Field 7 - 10/27/2022: Wheat, silage, soft dough

Field name: Field 7

Crop: Wheat, silage, soft dough

Plant date: 10/27/2022

| Application date | Application method | Precipitation 24 hours prior | Precipitation during application | Precipitation 24 hours following |
|---|---|---|---|---|
| 10/16/2022 | Surface (irrigation) | No precipitation | No precipitation | No precipitation |

| Source description | Material type | N (lbs/acre) | P (lbs/acre) | K (lbs/acre) | Salt (lbs/acre) | Amount |
|---|---|---|---|---|---|---|
| WWS | Process wastewater | 81.78 | 7.39 | 116.83 | 751.05 | 120,000.00 *gal* |
| MID Lateral 6 | Surface water | 0.00 | 0.00 | 0.00 | 39.43 | 810,000.00 *gal* |
| Application event totals | | 81.78 | 7.39 | 116.83 | 790.48 | |

| | | | | |
|---|---|---|---|---|
| 01/26/2023 | Surface (irrigation) | No precipitation | No precipitation | No precipitation |

| Source description | Material type | N (lbs/acre) | P (lbs/acre) | K (lbs/acre) | Salt (lbs/acre) | Amount |
|---|---|---|---|---|---|---|
| WWS | Process wastewater | 43.23 | 5.48 | 65.34 | 499.03 | 60,000.00 *gal* |
| Irrigation Well | Ground water | 4.12 | 0.00 | 0.00 | 52.57 | 72,000.00 *gal* |
| Application event totals | | 47.34 | 5.48 | 65.34 | 551.60 | |

| | | | | |
|---|---|---|---|---|
| 04/12/2023 | Surface (irrigation) | No precipitation | No precipitation | No precipitation |

| Source description | Material type | N (lbs/acre) | P (lbs/acre) | K (lbs/acre) | Salt (lbs/acre) | Amount |
|---|---|---|---|---|---|---|
| WWS | Process wastewater | 110.78 | 17.02 | 108.03 | 700.98 | 90,000.00 *gal* |
| MID Lateral 6 | Surface water | 0.00 | 0.00 | 0.00 | 40.56 | 607,500.00 *gal* |
| Application event totals | | 110.78 | 17.02 | 108.03 | 741.54 | |

## Field 7 - 05/24/2023: Corn, silage

## Field 7 - 05/24/2023: Corn, silage

Field name: Field 7

Crop: Corn, silage

Plant date: 05/24/2023

| Application date | Application method | Precipitation 24 hours prior | Precipitation during application | Precipitation 24 hours following |
|---|---|---|---|---|
| 05/12/2023 | Surface (irrigation) | No precipitation | No precipitation | No precipitation |

| Source description | Material type | N (lbs/acre) | P (lbs/acre) | K (lbs/acre) | Salt (lbs/acre) | Amount |
|---|---|---|---|---|---|---|
| MID Lateral 6 | Surface water | 0.00 | 0.00 | 0.00 | 72.10 | 1,080,000.00 *gal* |
| Application event totals | | 0.00 | 0.00 | 0.00 | 72.10 | |

| Application date | Application method | Precipitation 24 hours prior | Precipitation during application | Precipitation 24 hours following |
|---|---|---|---|---|
| 06/23/2023 | Surface (irrigation) | No precipitation | No precipitation | No precipitation |

| Source description | Material type | N (lbs/acre) | P (lbs/acre) | K (lbs/acre) | Salt (lbs/acre) | Amount |
|---|---|---|---|---|---|---|
| MID Lateral 6 | Surface water | 0.00 | 0.00 | 0.00 | 54.08 | 810,000.00 *gal* |
| Application event totals | | 0.00 | 0.00 | 0.00 | 54.08 | |

| Application date | Application method | Precipitation 24 hours prior | Precipitation during application | Precipitation 24 hours following |
|---|---|---|---|---|
| 06/19/2023 | Sidedress | No precipitation | No precipitation | No precipitation |

| Source description | Material type | N (lbs/acre) | P (lbs/acre) | K (lbs/acre) | Salt (lbs/acre) | Amount |
|---|---|---|---|---|---|---|
| 27-0-0 | Solid commercial fertilizer | 40.50 | 0.00 | 0.00 | 0.00 | |
| Application event totals | | 40.50 | 0.00 | 0.00 | 0.00 | |

| Application date | Application method | Precipitation 24 hours prior | Precipitation during application | Precipitation 24 hours following |
|---|---|---|---|---|
| 07/03/2023 | Surface (irrigation) | No precipitation | No precipitation | No precipitation |

| Source description | Material type | N (lbs/acre) | P (lbs/acre) | K (lbs/acre) | Salt (lbs/acre) | Amount |
|---|---|---|---|---|---|---|
| MID Lateral 6 | Surface water | 0.00 | 0.00 | 0.00 | 54.08 | 810,000.00 *gal* |
| Application event totals | | 0.00 | 0.00 | 0.00 | 54.08 | |

| Application date | Application method | Precipitation 24 hours prior | Precipitation during application | Precipitation 24 hours following |
|---|---|---|---|---|
| 07/13/2023 | Surface (irrigation) | No precipitation | No precipitation | No precipitation |

| Source description | Material type | N (lbs/acre) | P (lbs/acre) | K (lbs/acre) | Salt (lbs/acre) | Amount |
|---|---|---|---|---|---|---|
| WWS | Process wastewater | 77.11 | 4.08 | 106.52 | 618.36 | 90,000.00 *gal* |
| MID Lateral 6 | Surface water | 0.00 | 0.00 | 0.00 | 45.06 | 675,000.00 *gal* |
| Application event totals | | 77.11 | 4.08 | 106.52 | 663.43 | |

Field 7 - 05/24/2023: Corn, silage

| Application date | Application method | Precipitation 24 hours prior | Precipitation during application | Precipitation 24 hours following |
|---|---|---|---|---|
| 07/24/2023 | Surface (irrigation) | No precipitation | No precipitation | No precipitation |

| Source description | Material type | N (lbs/acre) | P (lbs/acre) | K (lbs/acre) | Salt (lbs/acre) | Amount |
|---|---|---|---|---|---|---|
| WWS | Process wastewater | 77.11 | 4.08 | 106.52 | 618.36 | 90,000.00 *gal* |
| MID Lateral 6 | Surface water | 0.00 | 0.00 | 0.00 | 45.06 | 675,000.00 *gal* |
| Application event totals | | 77.11 | 4.08 | 106.52 | 663.43 | |

| Application date | Application method | Precipitation 24 hours prior | Precipitation during application | Precipitation 24 hours following |
|---|---|---|---|---|
| 08/03/2023 | Surface (irrigation) | No precipitation | No precipitation | No precipitation |

| Source description | Material type | N (lbs/acre) | P (lbs/acre) | K (lbs/acre) | Salt (lbs/acre) | Amount |
|---|---|---|---|---|---|---|
| MID Lateral 6 | Surface water | 0.00 | 0.00 | 0.00 | 54.08 | 810,000.00 *gal* |
| Application event totals | | 0.00 | 0.00 | 0.00 | 54.08 | |

| Application date | Application method | Precipitation 24 hours prior | Precipitation during application | Precipitation 24 hours following |
|---|---|---|---|---|
| 08/13/2023 | Surface (irrigation) | No precipitation | No precipitation | No precipitation |

| Source description | Material type | N (lbs/acre) | P (lbs/acre) | K (lbs/acre) | Salt (lbs/acre) | Amount |
|---|---|---|---|---|---|---|
| WWS | Process wastewater | 51.95 | 4.10 | 63.00 | 563.29 | 75,000.00 *gal* |
| MID Lateral 6 | Surface water | 0.00 | 0.00 | 0.00 | 36.05 | 540,000.00 *gal* |
| Application event totals | | 51.95 | 4.10 | 63.00 | 599.34 | |

| Application date | Application method | Precipitation 24 hours prior | Precipitation during application | Precipitation 24 hours following |
|---|---|---|---|---|
| 08/25/2023 | Surface (irrigation) | No precipitation | No precipitation | No precipitation |

| Source description | Material type | N (lbs/acre) | P (lbs/acre) | K (lbs/acre) | Salt (lbs/acre) | Amount |
|---|---|---|---|---|---|---|
| MID Lateral 6 | Surface water | 0.00 | 0.00 | 0.00 | 45.06 | 675,000.00 *gal* |
| Application event totals | | 0.00 | 0.00 | 0.00 | 45.06 | |

## B. NUTRIENT BUDGET

Field 1 - 10/26/2022: Wheat, silage, soft dough

Field name: Field 1 Crop: Wheat, silage, soft dough Plant date: 10/26/2022

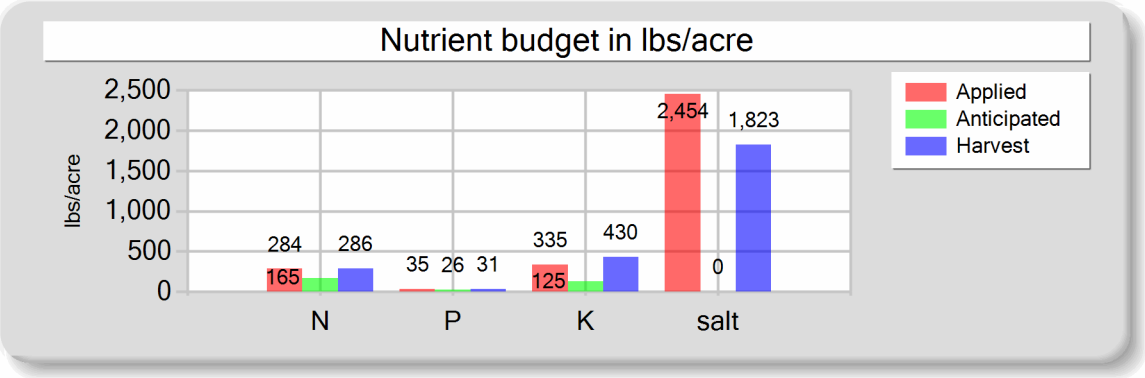


| | Total N (lbs/acre) | Total P (lbs/acre) | Total K (lbs/acre) | Total salt (lbs/acre) |
|---|---|---|---|---|
| Existing soil nutrient content | 0.00 | 0.00 | 0.00 | 0.00 |
| Plowdown credit | 0.00 | 0.00 | 0.00 | 0.00 |
| Commercial fertilizer / Other | 0.00 | 0.00 | 0.00 | 0.00 |
| Dry manure | 0.00 | 0.00 | 0.00 | 0.00 |
| Process wastewater | 270.56 | 35.00 | 334.87 | 2,287.13 |
| Fresh water | 6.61 | 0.00 | 0.00 | 166.75 |
| Atmospheric deposition | 7.00 | 0.00 | 0.00 | 0.00 |
| Total nutrients applied | 284.17 | 35.00 | 334.87 | 2,453.88 |
| Anticipated crop nutrient removal | 165.00 | 25.50 | 124.50 | 0.00 |
| Actual crop nutrient removal | 286.30 | 31.13 | 430.40 | 1,822.68 |
| Nutrient balance | -2.12 | 3.87 | -95.53 | 631.20 |
| Applied to removed ratio | 0.99 | 1.12 | 0.78 | 1.35 |

| Fresh water applied | |
|---|---|
| 28,890,000.00 | *gallons* |
| 1,063.92 | *acre-inches* |
| 9.50 | *inches/acre* |

| Process wastewater applied | |
|---|---|
| 5,760,000.00 | *gallons* |
| 212.12 | *acre-inches* |
| 1.89 | *inches/acre* |

| Total harvests for the crop | |
|---|---|
| 1 | *harvests* |

## Field 1 - 05/22/2023: Corn, silage

Field name: Field 1 Crop: Corn, silage Plant date: 05/22/2023

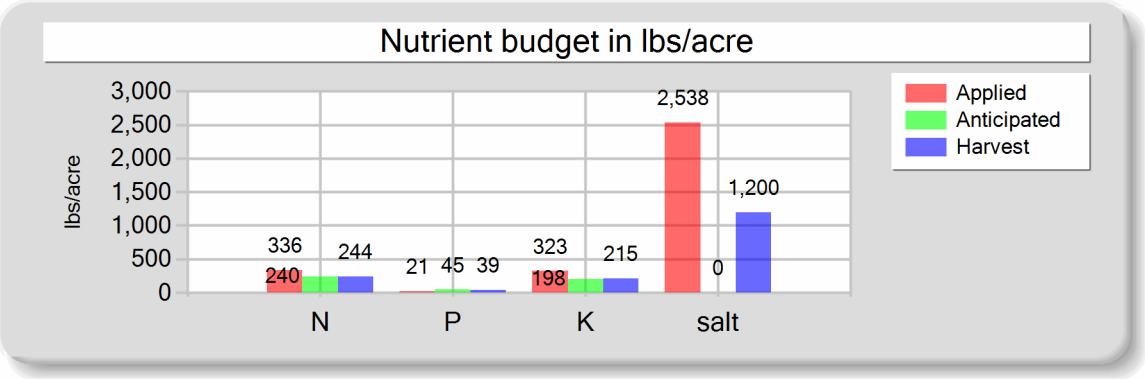


| | Total N (lbs/acre) | Total P (lbs/acre) | Total K (lbs/acre) | Total salt (lbs/acre) |
|---|---|---|---|---|
| Existing soil nutrient content | 0.00 | 0.00 | 0.00 | 0.00 |
| Plowdown credit | 0.00 | 0.00 | 0.00 | 0.00 |
| Commercial fertilizer / Other | 40.50 | 0.00 | 0.00 | 0.00 |
| Dry manure | 81.42 | 8.99 | 47.00 | 294.71 |
| Process wastewater | 206.59 | 12.44 | 275.64 | 1,820.22 |
| Fresh water | 0.00 | 0.00 | 0.00 | 422.95 |
| Atmospheric deposition | 7.00 | 0.00 | 0.00 | 0.00 |
| Total nutrients applied | 335.51 | 21.43 | 322.65 | 2,537.88 |
| Anticipated crop nutrient removal | 240.00 | 45.00 | 198.00 | 0.00 |
| Actual crop nutrient removal | 244.17 | 38.94 | 215.13 | 1,199.60 |
| Nutrient balance | 91.34 | -17.51 | 107.51 | 1,338.28 |
| Applied to removed ratio | 1.37 | 0.55 | 1.50 | 2.12 |

| Fresh water applied | |
|---|---|
| 118,260,000.00 | *gallons* |
| 4,355.11 | *acre-inches* |
| 38.88 | *inches/acre* |

| Process wastewater applied | |
|---|---|
| 4,800,000.00 | *gallons* |
| 176.77 | *acre-inches* |
| 1.58 | *inches/acre* |

| Total harvests for the crop | |
|---|---|
| 1 | *harvests* |

## Field 2 - 10/26/2022: Wheat Hay

Field name: Field 2 Crop: Wheat Hay Plant date: 10/26/2022

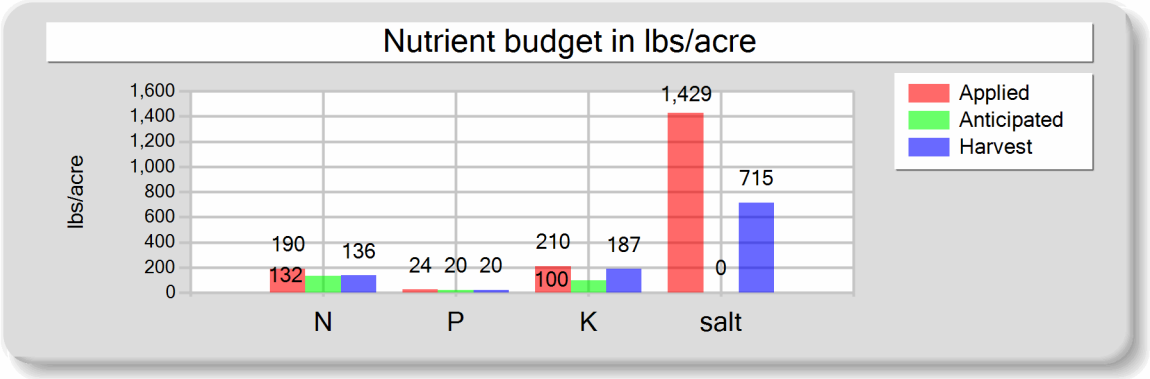


| | Total N (lbs/acre) | Total P (lbs/acre) | Total K (lbs/acre) | Total salt (lbs/acre) |
|---|---|---|---|---|
| Existing soil nutrient content | 0.00 | 0.00 | 0.00 | 0.00 |
| Plowdown credit | 0.00 | 0.00 | 0.00 | 0.00 |
| Commercial fertilizer / Other | 0.00 | 0.00 | 0.00 | 0.00 |
| Dry manure | 0.00 | 0.00 | 0.00 | 0.00 |
| Process wastewater | 182.82 | 23.72 | 209.65 | 1,354.46 |
| Fresh water | 0.00 | 0.00 | 0.00 | 74.96 |
| Atmospheric deposition | 7.00 | 0.00 | 0.00 | 0.00 |
| Total nutrients applied | 189.82 | 23.72 | 209.65 | 1,429.42 |
| Anticipated crop nutrient removal | 132.00 | 20.40 | 99.60 | 0.00 |
| Actual crop nutrient removal | 135.52 | 20.43 | 186.59 | 715.09 |
| Nutrient balance | 54.30 | 3.29 | 23.06 | 714.33 |
| Applied to removed ratio | 1.40 | 1.16 | 1.12 | 2.00 |

| Fresh water applied | |
|---|---|
| 17,010,000.00 | *gallons* |
| 626.42 | *acre-inches* |
| 8.03 | *inches/acre* |

| Process wastewater applied | |
|---|---|
| 2,520,000.00 | *gallons* |
| 92.80 | *acre-inches* |
| 1.19 | *inches/acre* |

| Total harvests for the crop | |
|---|---|
| 1 | *harvests* |

## Field 2 - 06/29/2023: Corn, silage

Field name: Field 2 Crop: Corn, silage Plant date: 06/29/2023

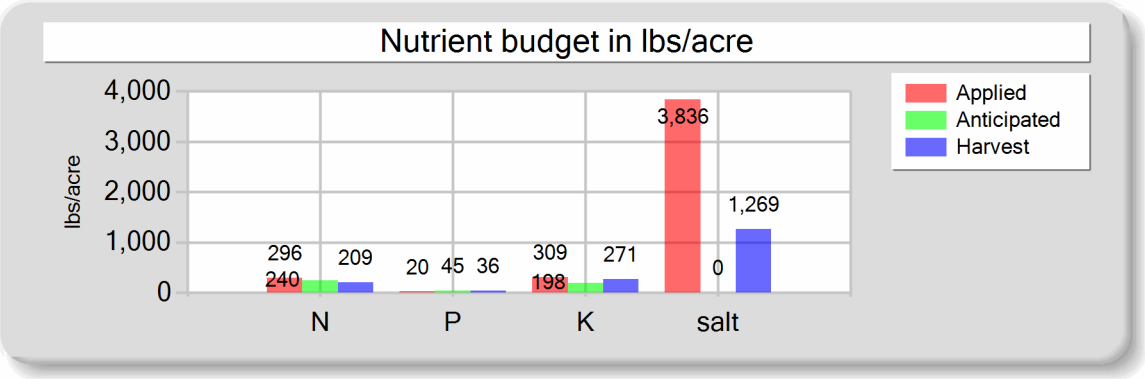


| | Total N (lbs/acre) | Total P (lbs/acre) | Total K (lbs/acre) | Total salt (lbs/acre) |
|---|---|---|---|---|
| Existing soil nutrient content | 0.00 | 0.00 | 0.00 | 0.00 |
| Plowdown credit | 0.00 | 0.00 | 0.00 | 0.00 |
| Commercial fertilizer / Other | 40.50 | 0.00 | 0.00 | 0.00 |
| Dry manure | 0.00 | 0.00 | 0.00 | 0.00 |
| Process wastewater | 248.31 | 20.09 | 308.56 | 3,405.79 |
| Fresh water | 0.00 | 0.00 | 0.00 | 429.83 |
| Atmospheric deposition | 7.00 | 0.00 | 0.00 | 0.00 |
| Total nutrients applied | 295.81 | 20.09 | 308.56 | 3,835.62 |
| Anticipated crop nutrient removal | 240.00 | 45.00 | 198.00 | 0.00 |
| Actual crop nutrient removal | 208.90 | 36.38 | 271.11 | 1,268.91 |
| Nutrient balance | 86.91 | -16.30 | 37.45 | 2,566.71 |
| Applied to removed ratio | 1.42 | 0.55 | 1.14 | 3.02 |

| Fresh water applied | |
|---|---|
| 83,700,000.00 | *gallons* |
| 3,082.39 | *acre-inches* |
| 39.52 | *inches/acre* |

| Process wastewater applied | |
|---|---|
| 4,680,000.00 | *gallons* |
| 172.35 | *acre-inches* |
| 2.21 | *inches/acre* |

| Total harvests for the crop | |
|---|---|
| 1 | *harvests* |

## Field 3 - 10/26/2022: Wheat, silage, soft dough

Field name: Field 3 Crop: Wheat, silage, soft dough Plant date: 10/26/2022

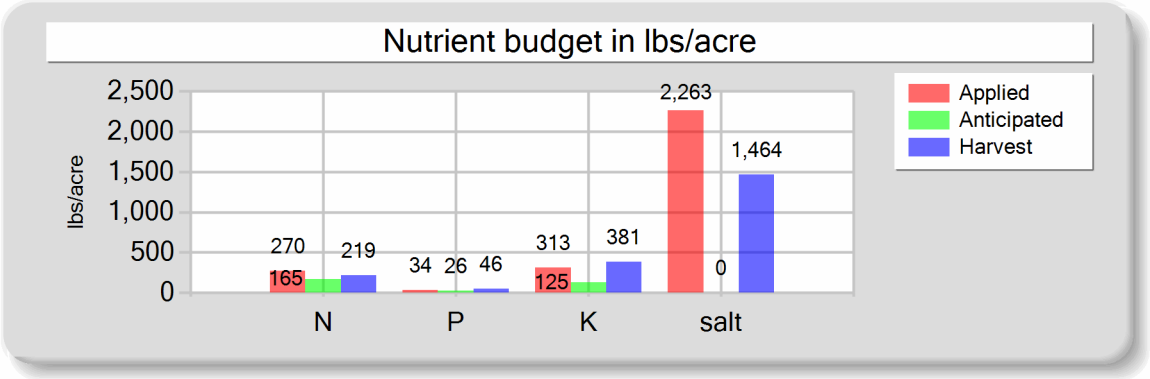


| | Total N (lbs/acre) | Total P (lbs/acre) | Total K (lbs/acre) | Total salt (lbs/acre) |
|---|---|---|---|---|
| Existing soil nutrient content | 0.00 | 0.00 | 0.00 | 0.00 |
| Plowdown credit | 0.00 | 0.00 | 0.00 | 0.00 |
| Commercial fertilizer / Other | 0.00 | 0.00 | 0.00 | 0.00 |
| Dry manure | 0.00 | 0.00 | 0.00 | 0.00 |
| Process wastewater | 258.41 | 33.66 | 313.19 | 2,115.96 |
| Fresh water | 4.94 | 0.00 | 0.00 | 147.24 |
| Atmospheric deposition | 7.00 | 0.00 | 0.00 | 0.00 |
| Total nutrients applied | 270.35 | 33.66 | 313.19 | 2,263.20 |
| Anticipated crop nutrient removal | 165.00 | 25.50 | 124.50 | 0.00 |
| Actual crop nutrient removal | 218.60 | 46.12 | 381.28 | 1,464.32 |
| Nutrient balance | 51.75 | -12.45 | -68.09 | 798.88 |
| Applied to removed ratio | 1.24 | 0.73 | 0.82 | 1.55 |

| Fresh water applied | |
|---|---|
| 2,574,000.00 | *gallons* |
| 94.79 | *acre-inches* |
| 9.48 | *inches/acre* |

| Process wastewater applied | |
|---|---|
| 480,000.00 | *gallons* |
| 17.68 | *acre-inches* |
| 1.77 | *inches/acre* |

| Total harvests for the crop | |
|---|---|
| 1 | *harvests* |

## Field 3 - 05/22/2023: Corn, silage

Field name: Field 3 Crop: Corn, silage Plant date: 05/22/2023

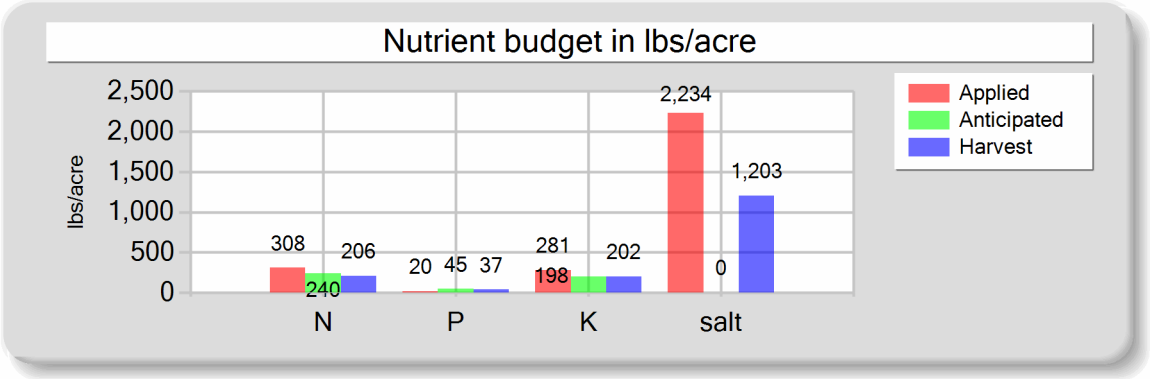


| | Total N (lbs/acre) | Total P (lbs/acre) | Total K (lbs/acre) | Total salt (lbs/acre) |
|---|---|---|---|---|
| Existing soil nutrient content | 0.00 | 0.00 | 0.00 | 0.00 |
| Plowdown credit | 0.00 | 0.00 | 0.00 | 0.00 |
| Commercial fertilizer / Other | 40.50 | 0.00 | 0.00 | 0.00 |
| Dry manure | 86.85 | 9.59 | 50.14 | 314.35 |
| Process wastewater | 173.24 | 10.46 | 230.92 | 1,530.14 |
| Fresh water | 0.00 | 0.00 | 0.00 | 389.34 |
| Atmospheric deposition | 7.00 | 0.00 | 0.00 | 0.00 |
| Total nutrients applied | 307.59 | 20.06 | 281.06 | 2,233.84 |
| Anticipated crop nutrient removal | 240.00 | 45.00 | 198.00 | 0.00 |
| Actual crop nutrient removal | 206.21 | 37.32 | 202.41 | 1,203.47 |
| Nutrient balance | 101.38 | -17.26 | 78.65 | 1,030.36 |
| Applied to removed ratio | 1.49 | 0.54 | 1.39 | 1.86 |

| Fresh water applied | |
|---|---|
| 9,720,000.00 | *gallons* |
| 357.95 | *acre-inches* |
| 35.80 | *inches/acre* |

| Process wastewater applied | |
|---|---|
| 360,000.00 | *gallons* |
| 13.26 | *acre-inches* |
| 1.33 | *inches/acre* |

| Total harvests for the crop | |
|---|---|
| 1 | *harvests* |

## Field 4 - 10/26/2022: Wheat, silage, soft dough

Field name: Field 4 Crop: Wheat, silage, soft dough Plant date: 10/26/2022

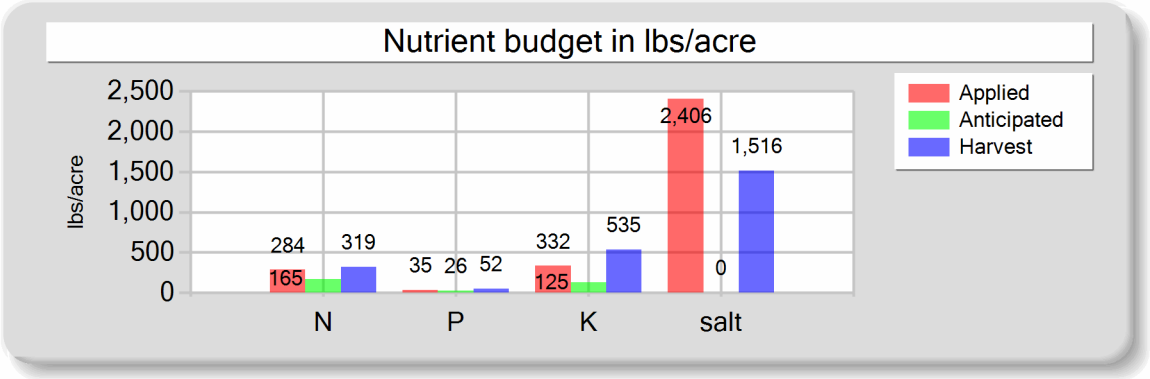


| | Total N (lbs/acre) | Total P (lbs/acre) | Total K (lbs/acre) | Total salt (lbs/acre) |
|---|---|---|---|---|
| Existing soil nutrient content | 0.00 | 0.00 | 0.00 | 0.00 |
| Plowdown credit | 0.00 | 0.00 | 0.00 | 0.00 |
| Commercial fertilizer / Other | 0.00 | 0.00 | 0.00 | 0.00 |
| Dry manure | 0.00 | 0.00 | 0.00 | 0.00 |
| Process wastewater | 271.35 | 35.20 | 331.51 | 2,247.07 |
| Fresh water | 5.63 | 0.00 | 0.00 | 158.59 |
| Atmospheric deposition | 7.00 | 0.00 | 0.00 | 0.00 |
| Total nutrients applied | 283.98 | 35.20 | 331.51 | 2,405.66 |
| Anticipated crop nutrient removal | 165.00 | 25.50 | 124.50 | 0.00 |
| Actual crop nutrient removal | 318.78 | 51.88 | 535.48 | 1,516.09 |
| Nutrient balance | -34.80 | -16.67 | -203.97 | 889.57 |
| Applied to removed ratio | 0.89 | 0.68 | 0.62 | 1.59 |

| Fresh water applied | |
|---|---|
| 21,141,000.00 | *gallons* |
| 778.55 | *acre-inches* |
| 9.86 | *inches/acre* |

| Process wastewater applied | |
|---|---|
| 4,020,000.00 | *gallons* |
| 148.04 | *acre-inches* |
| 1.87 | *inches/acre* |

| Total harvests for the crop | |
|---|---|
| 1 | *harvests* |

## Field 4 - 05/27/2023: Corn, silage

Field name: Field 4 Crop: Corn, silage Plant date: 05/27/2023

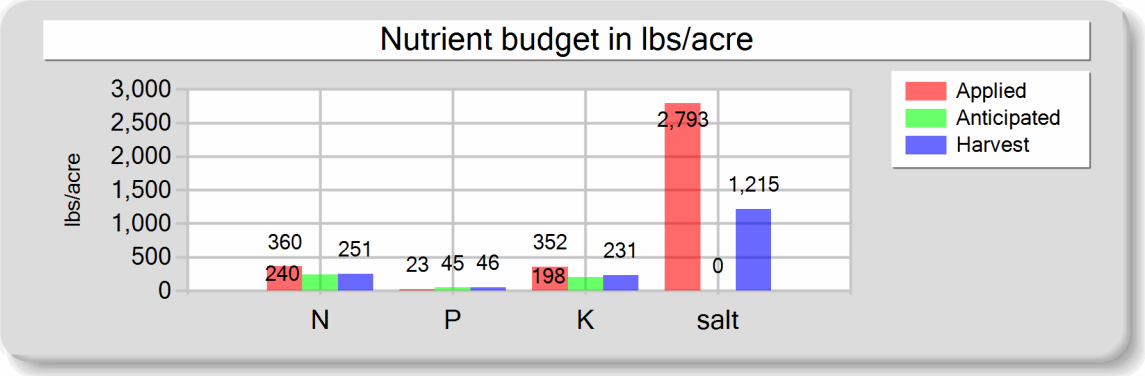


| | Total N (lbs/acre) | Total P (lbs/acre) | Total K (lbs/acre) | Total salt (lbs/acre) |
|---|---|---|---|---|
| Existing soil nutrient content | 0.00 | 0.00 | 0.00 | 0.00 |
| Plowdown credit | 0.00 | 0.00 | 0.00 | 0.00 |
| Commercial fertilizer / Other | 40.50 | 0.00 | 0.00 | 0.00 |
| Dry manure | 85.20 | 9.41 | 49.18 | 308.38 |
| Process wastewater | 227.10 | 13.66 | 303.09 | 1,999.50 |
| Fresh water | 0.00 | 0.00 | 0.00 | 484.63 |
| Atmospheric deposition | 7.00 | 0.00 | 0.00 | 0.00 |
| Total nutrients applied | 359.80 | 23.07 | 352.28 | 2,792.51 |
| Anticipated crop nutrient removal | 240.00 | 45.00 | 198.00 | 0.00 |
| Actual crop nutrient removal | 251.04 | 45.64 | 230.90 | 1,214.64 |
| Nutrient balance | 108.76 | -22.58 | 121.38 | 1,577.87 |
| Applied to removed ratio | 1.43 | 0.51 | 1.53 | 2.30 |

| Fresh water applied | |
|---|---|
| 95,580,000.00 | *gallons* |
| 3,519.89 | *acre-inches* |
| 44.56 | *inches/acre* |

| Process wastewater applied | |
|---|---|
| 3,720,000.00 | *gallons* |
| 136.99 | *acre-inches* |
| 1.73 | *inches/acre* |

| Total harvests for the crop | |
|---|---|
| 1 | *harvests* |

## Field 5 - 10/27/2022: Wheat Hay

Field name: Field 5 Crop: Wheat Hay Plant date: 10/27/2022

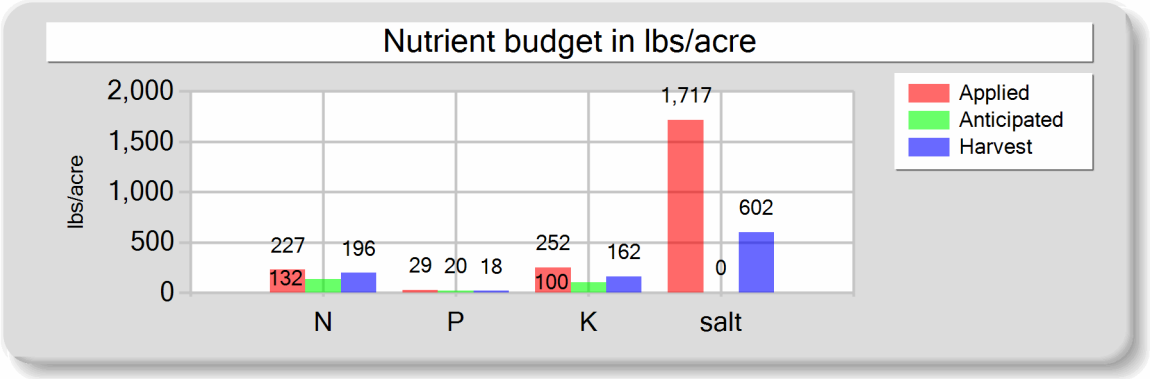


| | Total N (lbs/acre) | Total P (lbs/acre) | Total K (lbs/acre) | Total salt (lbs/acre) |
|---|---|---|---|---|
| Existing soil nutrient content | 0.00 | 0.00 | 0.00 | 0.00 |
| Plowdown credit | 0.00 | 0.00 | 0.00 | 0.00 |
| Commercial fertilizer / Other | 0.00 | 0.00 | 0.00 | 0.00 |
| Dry manure | 0.00 | 0.00 | 0.00 | 0.00 |
| Process wastewater | 220.26 | 28.67 | 251.86 | 1,627.28 |
| Fresh water | 0.00 | 0.00 | 0.00 | 90.13 |
| Atmospheric deposition | 7.00 | 0.00 | 0.00 | 0.00 |
| Total nutrients applied | 227.26 | 28.67 | 251.86 | 1,717.40 |
| Anticipated crop nutrient removal | 132.00 | 20.40 | 99.60 | 0.00 |
| Actual crop nutrient removal | 195.50 | 17.60 | 162.10 | 601.92 |
| Nutrient balance | 31.76 | 11.08 | 89.76 | 1,115.49 |
| Applied to removed ratio | 1.16 | 1.63 | 1.55 | 2.85 |

| Fresh water applied | |
|---|---|
| 25,110,000.00 | *gallons* |
| 924.72 | *acre-inches* |
| 9.63 | *inches/acre* |

| Process wastewater applied | |
|---|---|
| 3,720,000.00 | *gallons* |
| 136.99 | *acre-inches* |
| 1.43 | *inches/acre* |

| Total harvests for the crop | |
|---|---|
| 1 | *harvests* |

## Field 5 - 06/29/2023: Corn, silage

Field name: Field 5 Crop: Corn, silage Plant date: 06/29/2023

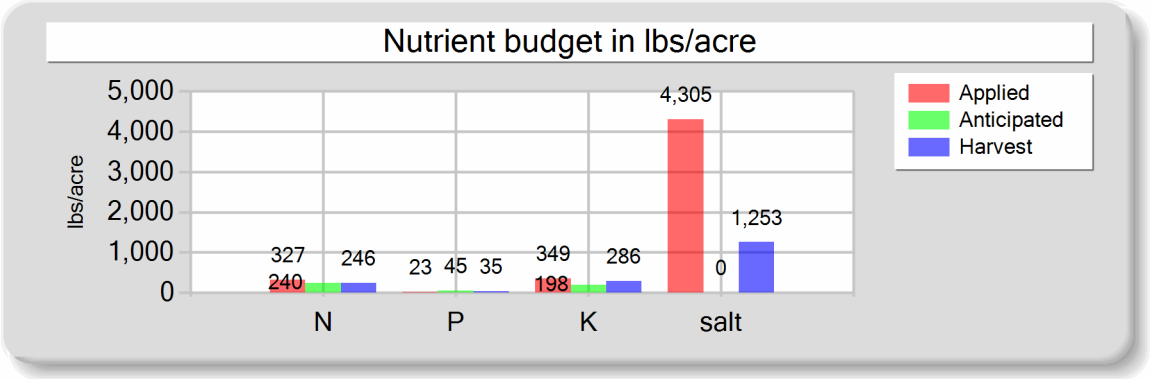


| | Total N (lbs/acre) | Total P (lbs/acre) | Total K (lbs/acre) | Total salt (lbs/acre) |
|---|---|---|---|---|
| Existing soil nutrient content | 0.00 | 0.00 | 0.00 | 0.00 |
| Plowdown credit | 0.00 | 0.00 | 0.00 | 0.00 |
| Commercial fertilizer / Other | 40.50 | 0.00 | 0.00 | 0.00 |
| Dry manure | 0.00 | 0.00 | 0.00 | 0.00 |
| Process wastewater | 279.78 | 22.58 | 349.50 | 3,836.51 |
| Fresh water | 0.00 | 0.00 | 0.00 | 468.66 |
| Atmospheric deposition | 7.00 | 0.00 | 0.00 | 0.00 |
| Total nutrients applied | 327.28 | 22.58 | 349.50 | 4,305.16 |
| Anticipated crop nutrient removal | 240.00 | 45.00 | 198.00 | 0.00 |
| Actual crop nutrient removal | 246.39 | 34.59 | 286.44 | 1,253.18 |
| Nutrient balance | 80.89 | -12.01 | 63.06 | 3,051.98 |
| Applied to removed ratio | 1.33 | 0.65 | 1.22 | 3.44 |

| Fresh water applied | |
|---|---|
| 112,320,000.00 | *gallons* |
| 4,136.36 | *acre-inches* |
| 43.09 | *inches/acre* |

| Process wastewater applied | |
|---|---|
| 6,480,000.00 | *gallons* |
| 238.64 | *acre-inches* |
| 2.49 | *inches/acre* |

| Total harvests for the crop | |
|---|---|
| 1 | *harvests* |

## Field 6 - 10/27/2022: Wheat, silage, soft dough

Field name: Field 6 Crop: Wheat, silage, soft dough Plant date: 10/27/2022

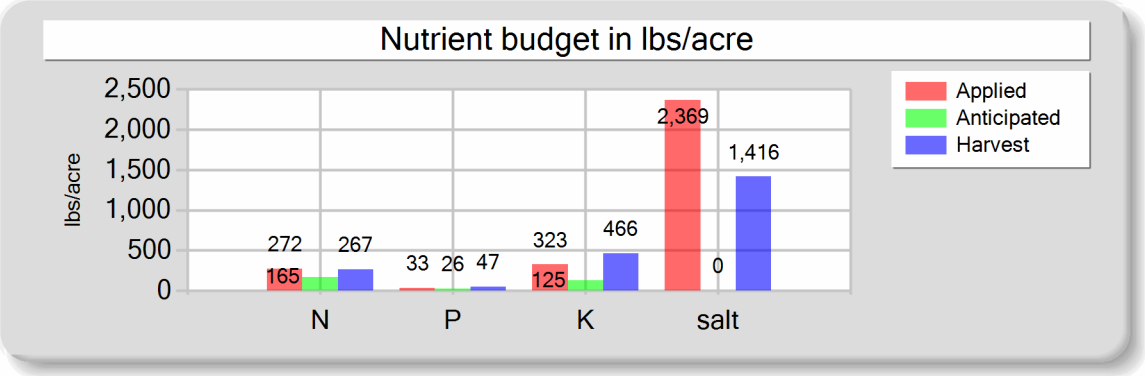


| | Total N (lbs/acre) | Total P (lbs/acre) | Total K (lbs/acre) | Total salt (lbs/acre) |
|---|---|---|---|---|
| Existing soil nutrient content | 0.00 | 0.00 | 0.00 | 0.00 |
| Plowdown credit | 0.00 | 0.00 | 0.00 | 0.00 |
| Commercial fertilizer / Other | 0.00 | 0.00 | 0.00 | 0.00 |
| Dry manure | 0.00 | 0.00 | 0.00 | 0.00 |
| Process wastewater | 258.93 | 33.15 | 323.31 | 2,208.28 |
| Fresh water | 6.41 | 0.00 | 0.00 | 160.94 |
| Atmospheric deposition | 7.00 | 0.00 | 0.00 | 0.00 |
| Total nutrients applied | 272.35 | 33.15 | 323.31 | 2,369.22 |
| Anticipated crop nutrient removal | 165.00 | 25.50 | 124.50 | 0.00 |
| Actual crop nutrient removal | 267.29 | 47.00 | 465.76 | 1,415.92 |
| Nutrient balance | 5.06 | -13.85 | -142.45 | 953.31 |
| Applied to removed ratio | 1.02 | 0.71 | 0.69 | 1.67 |

| Fresh water applied | |
|---|---|
| 19,260,000.00 | *gallons* |
| 709.28 | *acre-inches* |
| 9.21 | *inches/acre* |

| Process wastewater applied | |
|---|---|
| 3,840,000.00 | *gallons* |
| 141.41 | *acre-inches* |
| 1.84 | *inches/acre* |

| Total harvests for the crop | |
|---|---|
| 1 | *harvests* |

## Field 6 - 05/24/2023: Corn, silage

Field name: Field 6 Crop: Corn, silage Plant date: 05/24/2023

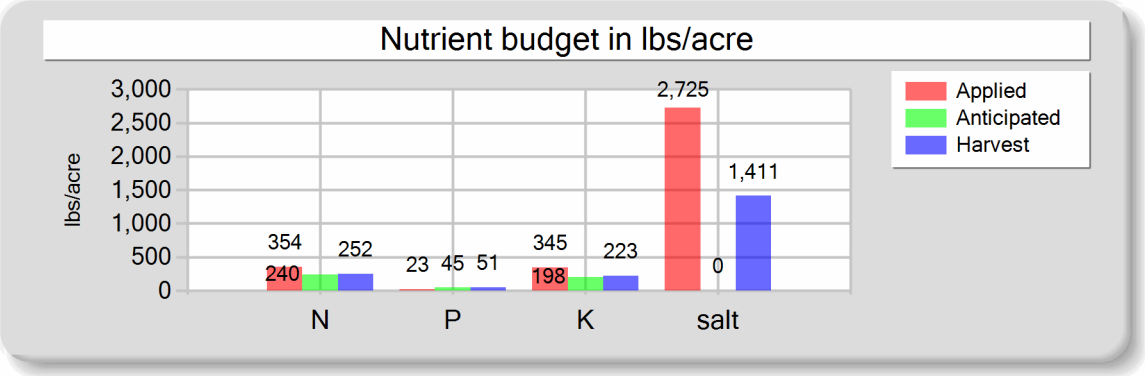


| | Total N (lbs/acre) | Total P (lbs/acre) | Total K (lbs/acre) | Total salt (lbs/acre) |
|---|---|---|---|---|
| Existing soil nutrient content | 0.00 | 0.00 | 0.00 | 0.00 |
| Plowdown credit | 0.00 | 0.00 | 0.00 | 0.00 |
| Commercial fertilizer / Other | 40.50 | 0.00 | 0.00 | 0.00 |
| Dry manure | 84.59 | 9.34 | 48.83 | 306.19 |
| Process wastewater | 221.75 | 13.33 | 295.97 | 1,952.08 |
| Fresh water | 0.00 | 0.00 | 0.00 | 466.31 |
| Atmospheric deposition | 7.00 | 0.00 | 0.00 | 0.00 |
| Total nutrients applied | 353.84 | 22.68 | 344.81 | 2,724.58 |
| Anticipated crop nutrient removal | 240.00 | 45.00 | 198.00 | 0.00 |
| Actual crop nutrient removal | 251.90 | 50.80 | 223.37 | 1,411.20 |
| Nutrient balance | 101.94 | -28.12 | 121.44 | 1,313.38 |
| Applied to removed ratio | 1.40 | 0.45 | 1.54 | 1.93 |

| Fresh water applied | |
|---|---|
| 89,640,000.00 | *gallons* |
| 3,301.14 | *acre-inches* |
| 42.87 | *inches/acre* |

| Process wastewater applied | |
|---|---|
| 3,540,000.00 | *gallons* |
| 130.37 | *acre-inches* |
| 1.69 | *inches/acre* |

| Total harvests for the crop | |
|---|---|
| 1 | *harvests* |

## Field 7 - 10/27/2022: Wheat, silage, soft dough

Field name: Field 7 Crop: Wheat, silage, soft dough Plant date: 10/27/2022

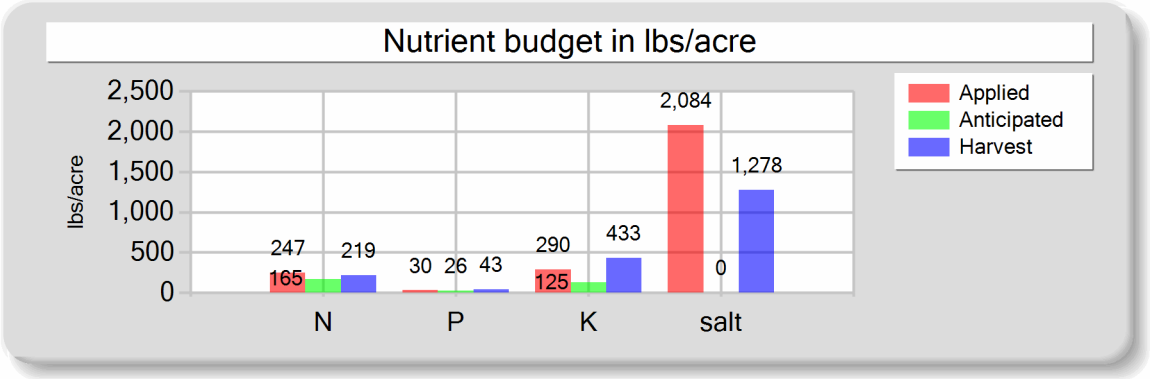


| | Total N (lbs/acre) | Total P (lbs/acre) | Total K (lbs/acre) | Total salt (lbs/acre) |
|---|---|---|---|---|
| Existing soil nutrient content | 0.00 | 0.00 | 0.00 | 0.00 |
| Plowdown credit | 0.00 | 0.00 | 0.00 | 0.00 |
| Commercial fertilizer / Other | 0.00 | 0.00 | 0.00 | 0.00 |
| Dry manure | 0.00 | 0.00 | 0.00 | 0.00 |
| Process wastewater | 235.79 | 29.90 | 290.20 | 1,951.06 |
| Fresh water | 4.12 | 0.00 | 0.00 | 132.56 |
| Atmospheric deposition | 7.00 | 0.00 | 0.00 | 0.00 |
| Total nutrients applied | 246.90 | 29.90 | 290.20 | 2,083.62 |
| Anticipated crop nutrient removal | 165.00 | 25.50 | 124.50 | 0.00 |
| Actual crop nutrient removal | 218.89 | 42.90 | 433.02 | 1,277.61 |
| Nutrient balance | 28.01 | -13.00 | -142.82 | 806.01 |
| Applied to removed ratio | 1.13 | 0.70 | 0.67 | 1.63 |

| Fresh water applied | |
|---|---|
| 1,489,500.00 | *gallons* |
| 54.85 | *acre-inches* |
| 9.14 | *inches/acre* |

| Process wastewater applied | |
|---|---|
| 270,000.00 | *gallons* |
| 9.94 | *acre-inches* |
| 1.66 | *inches/acre* |

| Total harvests for the crop | |
|---|---|
| 1 | *harvests* |

## Field 7 - 05/24/2023: Corn, silage

Field name: Field 7 Crop: Corn, silage Plant date: 05/24/2023

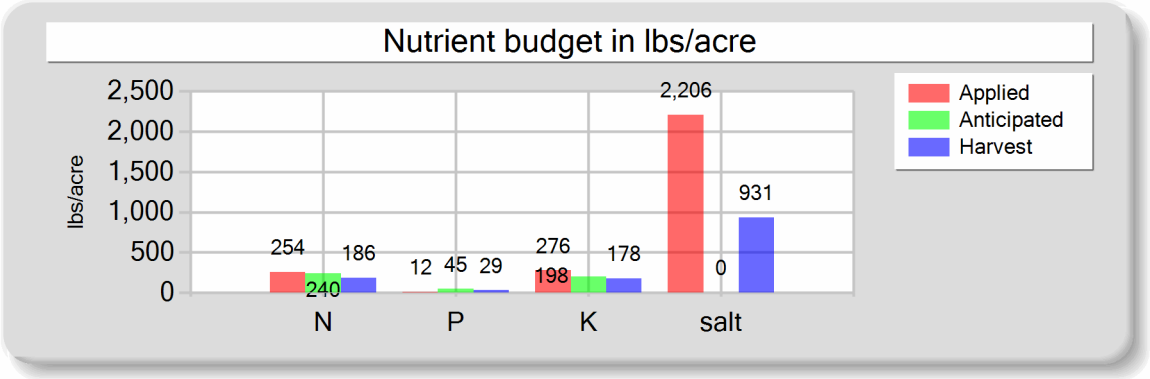


| | Total N (lbs/acre) | Total P (lbs/acre) | Total K (lbs/acre) | Total salt (lbs/acre) |
|---|---|---|---|---|
| Existing soil nutrient content | 0.00 | 0.00 | 0.00 | 0.00 |
| Plowdown credit | 0.00 | 0.00 | 0.00 | 0.00 |
| Commercial fertilizer / Other | 40.50 | 0.00 | 0.00 | 0.00 |
| Dry manure | 0.00 | 0.00 | 0.00 | 0.00 |
| Process wastewater | 206.16 | 12.26 | 276.05 | 1,800.02 |
| Fresh water | 0.00 | 0.00 | 0.00 | 405.57 |
| Atmospheric deposition | 7.00 | 0.00 | 0.00 | 0.00 |
| Total nutrients applied | 253.66 | 12.26 | 276.05 | 2,205.58 |
| Anticipated crop nutrient removal | 240.00 | 45.00 | 198.00 | 0.00 |
| Actual crop nutrient removal | 186.31 | 29.02 | 177.60 | 930.85 |
| Nutrient balance | 67.35 | -16.76 | 98.45 | 1,274.74 |
| Applied to removed ratio | 1.36 | 0.42 | 1.55 | 2.37 |

| Fresh water applied | |
|---|---|
| 6,075,000.00 | *gallons* |
| 223.72 | *acre-inches* |
| 37.29 | *inches/acre* |

| Process wastewater applied | |
|---|---|
| 255,000.00 | *gallons* |
| 9.39 | *acre-inches* |
| 1.57 | *inches/acre* |

| Total harvests for the crop | |
|---|---|
| 1 | *harvests* |

NUTRIENT ANALYSES

## A. MANURE ANALYSES

### Corral Solids

Sample and source description: Corral Solids

Sample date: 05/05/2023 Material type: Corral solids Source of analysis: Lab analysis Method of reporting: Dry-weight

Moisture: 18.5 %

| | Total N (mg/kg) | Total P (mg/kg) | Total K (mg/kg) | Calcium (mg/kg) | Magnesium (mg/kg) | Sodium (mg/kg) | Sulfur (mg/kg) | Chloride (mg/kg) | Total salt (mg/kg) | TFS (%) |
|---|---|---|---|---|---|---|---|---|---|---|
| **Value** | 17,300.00 | 6,060.00 | 53,500.00 | 0.00 | 0.00 | 0.00 | 0.00 | 0.00 | | 45.40 |
| **DL** | 100.00 | 100.00 | 100.00 | 100.00 | 100.00 | 100.00 | 100.00 | 50.00 | | 0.01 |

### Separator Solids

Sample and source description: Separator Solids

Sample date: 05/05/2023 Material type: Separator solids Source of analysis: Lab analysis Method of reporting: Dry-weight

Moisture: 66.7 %

| | Total N (mg/kg) | Total P (mg/kg) | Total K (mg/kg) | Calcium (mg/kg) | Magnesium (mg/kg) | Sodium (mg/kg) | Sulfur (mg/kg) | Chloride (mg/kg) | Total salt (mg/kg) | TFS (%) |
|---|---|---|---|---|---|---|---|---|---|---|
| **Value** | 16,300.00 | 1,800.00 | 9,410.00 | 87,830.00 | 2,840.00 | 3,430.00 | 2,820.00 | 694.00 | | 5.90 |
| **DL** | 100.00 | 100.00 | 100.00 | 100.00 | 100.00 | 100.00 | 100.00 | 50.00 | | 0.01 |

### Corral Solids

Sample and source description: Corral Solids

Sample date: 10/13/2023 Material type: Corral solids Source of analysis: Lab analysis Method of reporting: Dry-weight

Moisture: 33.0 %

| | Total N (mg/kg) | Total P (mg/kg) | Total K (mg/kg) | Calcium (mg/kg) | Magnesium (mg/kg) | Sodium (mg/kg) | Sulfur (mg/kg) | Chloride (mg/kg) | Total salt (mg/kg) | TFS (%) |
|---|---|---|---|---|---|---|---|---|---|---|
| **Value** | 16,100.00 | 3,250.00 | 4,290.00 | 0.00 | 0.00 | 0.00 | 0.00 | 0.00 | | 41.80 |
| **DL** | 100.00 | 100.00 | 100.00 | 100.00 | 100.00 | 100.00 | 100.00 | 50.00 | | 0.01 |

Separator Solids

Sample and source description: Separator Solids

Sample date: 10/13/2023 Material type: Separator solids Source of analysis: Lab analysis Method of reporting: Dry-weight

Moisture: 74.4 %

| | Total N (mg/kg) | Total P (mg/kg) | Total K (mg/kg) | Calcium (mg/kg) | Magnesium (mg/kg) | Sodium (mg/kg) | Sulfur (mg/kg) | Chloride (mg/kg) | Total salt (mg/kg) | TFS (%) |
|---|---|---|---|---|---|---|---|---|---|---|
| **Value** | 16,100.00 | 4,080.00 | 27,000.00 | 0.00 | 0.00 | 0.00 | 0.00 | 0.00 | | 24.10 |
| **DL** | 100.00 | 100.00 | 100.00 | 100.00 | 100.00 | 100.00 | 100.00 | 50.00 | | 0.01 |

## B. PROCESS WASTEWATER ANALYSES

October WWS

Sample and source description: October WWS

Sample date: 10/07/2022 Material type: Process wastewater Source of analysis: Lab analysis pH: 0.00

| | Kjeldahl-N (mg/L) | NH4-N (mg/L) | NH3-N (mg/L) | Nitrate-N (mg/L) | Total P (mg/L) | Total K (mg/L) | Calcium (mg/L) | Magnes. (mg/L) | Sodium (mg/L) | Bicarb. (mg/L) | Carb. (mg/L) | Sulfate (mg/L) | Chloride (mg/L) | EC (µmhos/cm) | TDS (mg/L) |
|---|---|---|---|---|---|---|---|---|---|---|---|---|---|---|---|
| **Value** | 490.00 | 322.00 | 0.00 | 0.00 | 44.30 | 700.00 | 0.00 | 0.00 | 0.00 | 0.00 | 0.00 | 0.00 | 0.00 | 600.00 | 4,500 |
| **DL** | 0.50 | 0.50 | 0.50 | 0.50 | 0.50 | 0.50 | 0.50 | 0.50 | 0.50 | 0.50 | 2.00 | 1.00 | 0.10 | 1.00 | 10 |

January WWS

Sample and source description: January WWS

Sample date: 01/06/2023 Material type: Process wastewater Source of analysis: Lab analysis pH: 0.00

| | Kjeldahl-N (mg/L) | NH4-N (mg/L) | NH3-N (mg/L) | Nitrate-N (mg/L) | Total P (mg/L) | Total K (mg/L) | Calcium (mg/L) | Magnes. (mg/L) | Sodium (mg/L) | Bicarb. (mg/L) | Carb. (mg/L) | Sulfate (mg/L) | Chloride (mg/L) | EC (µmhos/cm) | TDS (mg/L) |
|---|---|---|---|---|---|---|---|---|---|---|---|---|---|---|---|
| **Value** | 518.00 | 358.00 | 0.00 | 0.00 | 65.70 | 783.00 | 0.00 | 0.00 | 0.00 | 0.00 | 0.00 | 0.00 | 0.00 | 6,660.00 | 5,980 |
| **DL** | 0.50 | 0.50 | 0.50 | 0.50 | 0.50 | 0.50 | 0.50 | 0.50 | 0.50 | 0.50 | 2.00 | 1.00 | 0.10 | 1.00 | 10 |

## February WWS

Sample and source description: February WWS

Sample date: 02/03/2023 Material type: Process wastewater Source of analysis: Lab analysis pH: 0.00

| | Kjeldahl-N (mg/L) | NH4-N (mg/L) | NH3-N (mg/L) | Nitrate-N (mg/L) | Total P (mg/L) | Total K (mg/L) | Calcium (mg/L) | Magnes. (mg/L) | Sodium (mg/L) | Bicarb. (mg/L) | Carb. (mg/L) | Sulfate (mg/L) | Chloride (mg/L) | EC (µmhos/cm) | TDS (mg/L) |
|---|---|---|---|---|---|---|---|---|---|---|---|---|---|---|---|
| **Value** | 1,010.00 | 311.00 | 0.00 | 0.00 | 148.00 | 890.00 | 0.00 | 0.00 | 0.00 | 0.00 | 0.00 | 0.00 | 0.00 | 7,580.00 | 5,360 |
| **DL** | 0.50 | 0.50 | 0.50 | 0.50 | 0.50 | 0.50 | 0.50 | 0.50 | 0.50 | 0.50 | 2.00 | 1.00 | 0.10 | 1.00 | 10 |

## 1st Qtr Digester

Sample and source description: 1st Qtr Digester

Sample date: 03/03/2023 Material type: Process wastewater Source of analysis: Lab analysis pH: 0.00

| | Kjeldahl-N (mg/L) | NH4-N (mg/L) | NH3-N (mg/L) | Nitrate-N (mg/L) | Total P (mg/L) | Total K (mg/L) | Calcium (mg/L) | Magnes. (mg/L) | Sodium (mg/L) | Bicarb. (mg/L) | Carb. (mg/L) | Sulfate (mg/L) | Chloride (mg/L) | EC (µmhos/cm) | TDS (mg/L) |
|---|---|---|---|---|---|---|---|---|---|---|---|---|---|---|---|
| **Value** | 106.00 | 61.60 | 0.00 | 0.00 | 36.40 | 319.00 | 0.00 | 0.00 | 0.00 | 0.00 | 0.00 | 0.00 | 0.00 | 2,440.00 | 1,880 |
| **DL** | 0.50 | 0.50 | 0.50 | 0.50 | 0.50 | 0.50 | 0.50 | 0.50 | 0.50 | 0.50 | 2.00 | 1.00 | 0.10 | 1.00 | 10 |

## March WWS

Sample and source description: March WWS

Sample date: 03/03/2023 Material type: Process wastewater Source of analysis: Lab analysis pH: 0.00

| | Kjeldahl-N (mg/L) | NH4-N (mg/L) | NH3-N (mg/L) | Nitrate-N (mg/L) | Total P (mg/L) | Total K (mg/L) | Calcium (mg/L) | Magnes. (mg/L) | Sodium (mg/L) | Bicarb. (mg/L) | Carb. (mg/L) | Sulfate (mg/L) | Chloride (mg/L) | EC (µmhos/cm) | TDS (mg/L) |
|---|---|---|---|---|---|---|---|---|---|---|---|---|---|---|---|
| **Value** | 526.00 | 319.00 | 0.00 | 0.00 | 71.60 | 709.00 | 0.00 | 0.00 | 0.00 | 0.00 | 0.00 | 0.00 | 0.00 | 7,090.00 | 8,120 |
| **DL** | 0.50 | 0.50 | 0.50 | 0.50 | 0.50 | 0.50 | 0.50 | 0.50 | 0.50 | 0.50 | 2.00 | 1.00 | 0.10 | 1.00 | 10 |

## April WWS

Sample and source description: April WWS

Sample date: 04/07/2023 Material type: Process wastewater Source of analysis: Lab analysis pH: 0.00

| | Kjeldahl-N (mg/L) | NH4-N (mg/L) | NH3-N (mg/L) | Nitrate-N (mg/L) | Total P (mg/L) | Total K (mg/L) | Calcium (mg/L) | Magnes. (mg/L) | Sodium (mg/L) | Bicarb. (mg/L) | Carb. (mg/L) | Sulfate (mg/L) | Chloride (mg/L) | EC (µmhos/cm) | TDS (mg/L) |
|---|---|---|---|---|---|---|---|---|---|---|---|---|---|---|---|
| **Value** | 885.00 | 216.00 | 0.00 | 0.00 | 136.00 | 863.00 | 0.00 | 0.00 | 0.00 | 0.00 | 0.00 | 0.00 | 0.00 | 6,360.00 | 5,600 |
| **DL** | 0.50 | 0.50 | 0.50 | 0.50 | 0.50 | 0.50 | 0.50 | 0.50 | 0.50 | 0.50 | 2.00 | 1.00 | 0.10 | 1.00 | 10 |

## 2nd Qtr Digester

Sample and source description: 2nd Qtr Digester

Sample date: 05/05/2023 Material type: Process wastewater Source of analysis: Lab analysis pH: 0.00

| | Kjeldahl-N (mg/L) | NH4-N (mg/L) | NH3-N (mg/L) | Nitrate-N (mg/L) | Total P (mg/L) | Total K (mg/L) | Calcium (mg/L) | Magnes. (mg/L) | Sodium (mg/L) | Bicarb. (mg/L) | Carb. (mg/L) | Sulfate (mg/L) | Chloride (mg/L) | EC (µmhos/cm) | TDS (mg/L) |
|---|---|---|---|---|---|---|---|---|---|---|---|---|---|---|---|
| **Value** | 151.00 | 92.40 | 0.00 | 0.00 | 50.80 | 447.00 | 0.00 | 0.00 | 0.00 | 0.00 | 0.00 | 0.00 | 0.00 | 3,080.00 | 2,240 |
| **DL** | 0.50 | 0.50 | 0.50 | 0.50 | 0.50 | 0.50 | 0.50 | 0.50 | 0.50 | 0.50 | 2.00 | 1.00 | 0.10 | 1.00 | 10 |

## May WWS

Sample and source description: May WWS

Sample date: 05/05/2023 Material type: Process wastewater Source of analysis: Lab analysis pH: 0.00

| | Kjeldahl-N (mg/L) | NH4-N (mg/L) | NH3-N (mg/L) | Nitrate-N (mg/L) | Total P (mg/L) | Total K (mg/L) | Calcium (mg/L) | Magnes. (mg/L) | Sodium (mg/L) | Bicarb. (mg/L) | Carb. (mg/L) | Sulfate (mg/L) | Chloride (mg/L) | EC (µmhos/cm) | TDS (mg/L) |
|---|---|---|---|---|---|---|---|---|---|---|---|---|---|---|---|
| **Value** | 538.00 | 316.00 | 0.00 | 0.00 | 84.90 | 890.00 | 0.00 | 0.00 | 0.00 | 0.00 | 0.00 | 0.00 | 0.00 | 7,310.00 | 6,440 |
| **DL** | 0.50 | 0.50 | 0.50 | 0.50 | 0.50 | 0.50 | 0.50 | 0.50 | 0.50 | 0.50 | 2.00 | 1.00 | 0.10 | 1.00 | 10 |

## June WW

Sample and source description: June WW

Sample date: 06/02/2023 Material type: Process wastewater Source of analysis: Lab analysis pH: 0.00

| | Kjeldahl-N (mg/L) | NH4-N (mg/L) | NH3-N (mg/L) | Nitrate-N (mg/L) | Total P (mg/L) | Total K (mg/L) | Calcium (mg/L) | Magnes. (mg/L) | Sodium (mg/L) | Bicarb. (mg/L) | Carb. (mg/L) | Sulfate (mg/L) | Chloride (mg/L) | EC (µmhos/cm) | TDS (mg/L) |
|---|---|---|---|---|---|---|---|---|---|---|---|---|---|---|---|
| **Value** | 543.00 | 406.00 | 0.00 | 0.00 | 39.50 | 906.00 | 200.00 | 177.00 | 367.00 | 4,000.00 | 0.00 | 245.00 | 387.00 | 7,980.00 | 9,340 |
| **DL** | 0.50 | 0.50 | 0.50 | 0.50 | 0.50 | 0.50 | 0.50 | 0.50 | 0.50 | 0.50 | 2.00 | 1.00 | 0.10 | 1.00 | 10 |

## 3rd Qtr Digester

Sample and source description: 3rd Qtr Digester

Sample date: 07/14/2023 Material type: Process wastewater Source of analysis: Lab analysis pH: 0.00

| | Kjeldahl-N (mg/L) | NH4-N (mg/L) | NH3-N (mg/L) | Nitrate-N (mg/L) | Total P (mg/L) | Total K (mg/L) | Calcium (mg/L) | Magnes. (mg/L) | Sodium (mg/L) | Bicarb. (mg/L) | Carb. (mg/L) | Sulfate (mg/L) | Chloride (mg/L) | EC (µmhos/cm) | TDS (mg/L) |
|---|---|---|---|---|---|---|---|---|---|---|---|---|---|---|---|
| **Value** | 210.00 | 146.00 | 0.00 | 0.00 | 26.50 | 656.00 | 0.00 | 0.00 | 0.00 | 0.00 | 0.00 | 0.00 | 0.00 | 4,630.00 | 3,080 |
| **DL** | 0.50 | 0.50 | 0.50 | 0.50 | 0.50 | 0.50 | 0.50 | 0.50 | 0.50 | 0.50 | 2.00 | 1.00 | 0.10 | 1.00 | 10 |

## July WWS

Sample and source description: July WWS

Sample date: 07/14/2023 Material type: Process wastewater Source of analysis: Lab analysis pH: 0.00

| | Kjeldahl-N (mg/L) | NH4-N (mg/L) | NH3-N (mg/L) | Nitrate-N (mg/L) | Total P (mg/L) | Total K (mg/L) | Calcium (mg/L) | Magnes. (mg/L) | Sodium (mg/L) | Bicarb. (mg/L) | Carb. (mg/L) | Sulfate (mg/L) | Chloride (mg/L) | EC (µmhos/cm) | TDS (mg/L) |
|---|---|---|---|---|---|---|---|---|---|---|---|---|---|---|---|
| **Value** | 616.00 | 448.00 | 0.00 | 0.00 | 32.60 | 851.00 | 0.00 | 0.00 | 0.00 | 0.00 | 0.00 | 0.00 | 0.00 | 8,370.00 | 4,940 |
| **DL** | 0.50 | 0.50 | 0.50 | 0.50 | 0.50 | 0.50 | 0.50 | 0.50 | 0.50 | 0.50 | 2.00 | 1.00 | 0.10 | 1.00 | 10 |

## August WWS

Sample and source description: August WWS

Sample date: 08/11/2023 Material type: Process wastewater Source of analysis: Lab analysis pH: 0.00

| | Kjeldahl-N (mg/L) | NH4-N (mg/L) | NH3-N (mg/L) | Nitrate-N (mg/L) | Total P (mg/L) | Total K (mg/L) | Calcium (mg/L) | Magnes. (mg/L) | Sodium (mg/L) | Bicarb. (mg/L) | Carb. (mg/L) | Sulfate (mg/L) | Chloride (mg/L) | EC (µmhos/cm) | TDS (mg/L) |
|---|---|---|---|---|---|---|---|---|---|---|---|---|---|---|---|
| **Value** | 498.00 | 263.00 | 0.00 | 0.00 | 39.30 | 604.00 | 0.00 | 0.00 | 0.00 | 0.00 | 0.00 | 0.00 | 0.00 | 7,220.00 | 5,400 |
| **DL** | 0.50 | 0.50 | 0.50 | 0.50 | 0.50 | 0.50 | 0.50 | 0.50 | 0.50 | 0.50 | 2.00 | 1.00 | 0.10 | 1.00 | 10 |

## September WWS

Sample and source description: September WWS

Sample date: 09/06/2023 Material type: Process wastewater Source of analysis: Lab analysis pH: 0.00

| | Kjeldahl-N (mg/L) | NH4-N (mg/L) | NH3-N (mg/L) | Nitrate-N (mg/L) | Total P (mg/L) | Total K (mg/L) | Calcium (mg/L) | Magnes. (mg/L) | Sodium (mg/L) | Bicarb. (mg/L) | Carb. (mg/L) | Sulfate (mg/L) | Chloride (mg/L) | EC (µmhos/cm) | TDS (mg/L) |
|---|---|---|---|---|---|---|---|---|---|---|---|---|---|---|---|
| **Value** | 434.00 | 330.00 | 0.00 | 0.00 | 42.60 | 288.00 | 0.00 | 0.00 | 0.00 | 0.00 | 0.00 | 0.00 | 0.00 | 6,550.00 | 6,660 |
| **DL** | 0.50 | 0.50 | 0.50 | 0.50 | 0.50 | 0.50 | 0.50 | 0.50 | 0.50 | 0.50 | 2.00 | 1.00 | 0.10 | 1.00 | 10 |

## October WWS

Sample and source description: October WWS

Sample date: 10/06/2023 Material type: Process wastewater Source of analysis: Lab analysis pH: 0.00

| | Kjeldahl-N (mg/L) | NH4-N (mg/L) | NH3-N (mg/L) | Nitrate-N (mg/L) | Total P (mg/L) | Total K (mg/L) | Calcium (mg/L) | Magnes. (mg/L) | Sodium (mg/L) | Bicarb. (mg/L) | Carb. (mg/L) | Sulfate (mg/L) | Chloride (mg/L) | EC (µmhos/cm) | TDS (mg/L) |
|---|---|---|---|---|---|---|---|---|---|---|---|---|---|---|---|
| **Value** | 669.00 | 350.00 | 0.00 | 0.00 | 99.10 | 643.00 | 0.00 | 0.00 | 0.00 | 0.00 | 0.00 | 0.00 | 0.00 | 6,970.00 | 4,800 |
| **DL** | 0.50 | 0.50 | 0.50 | 0.50 | 0.50 | 0.50 | 0.50 | 0.50 | 0.50 | 0.50 | 2.00 | 1.00 | 0.10 | 1.00 | 10 |

WWQ4

Sample and source description: WWQ4

Sample date: 10/13/2023 Material type: Process wastewater Source of analysis: Lab analysis pH: 0.00

| | Kjeldahl-N (mg/L) | NH4-N (mg/L) | NH3-N (mg/L) | Nitrate-N (mg/L) | Total P (mg/L) | Total K (mg/L) | Calcium (mg/L) | Magnes. (mg/L) | Sodium (mg/L) | Bicarb. (mg/L) | Carb. (mg/L) | Sulfate (mg/L) | Chloride (mg/L) | EC (µmhos/cm) | TDS (mg/L) |
|---|---|---|---|---|---|---|---|---|---|---|---|---|---|---|---|
| **Value** | 336.00 | 210.00 | 0.00 | 0.00 | 24.90 | 932.00 | 0.00 | 0.00 | 0.00 | 0.00 | 0.00 | 0.00 | 0.00 | 6,860.00 | 5,140 |
| **DL** | 0.50 | 0.50 | 0.50 | 0.50 | 0.50 | 0.50 | 0.50 | 0.50 | 0.50 | 0.50 | 2.00 | 1.00 | 0.10 | 1.00 | 10 |

November WWS

Sample and source description: November WWS

Sample date: 11/10/2023 Material type: Process wastewater Source of analysis: Lab analysis pH: 0.00

| | Kjeldahl-N (mg/L) | NH4-N (mg/L) | NH3-N (mg/L) | Nitrate-N (mg/L) | Total P (mg/L) | Total K (mg/L) | Calcium (mg/L) | Magnes. (mg/L) | Sodium (mg/L) | Bicarb. (mg/L) | Carb. (mg/L) | Sulfate (mg/L) | Chloride (mg/L) | EC (µmhos/cm) | TDS (mg/L) |
|---|---|---|---|---|---|---|---|---|---|---|---|---|---|---|---|
| **Value** | 532.00 | 375.00 | 0.00 | 0.00 | 44.10 | 613.00 | 0.00 | 0.00 | 0.00 | 0.00 | 0.00 | 0.00 | 0.00 | 5,790.00 | 4,960 |
| **DL** | 0.50 | 0.50 | 0.50 | 0.50 | 0.50 | 0.50 | 0.50 | 0.50 | 0.50 | 0.50 | 2.00 | 1.00 | 0.10 | 1.00 | 10 |

December WWS

Sample and source description: December WWS

Sample date: 12/07/2023 Material type: Process wastewater Source of analysis: Lab analysis pH: 0.00

| | Kjeldahl-N (mg/L) | NH4-N (mg/L) | NH3-N (mg/L) | Nitrate-N (mg/L) | Total P (mg/L) | Total K (mg/L) | Calcium (mg/L) | Magnes. (mg/L) | Sodium (mg/L) | Bicarb. (mg/L) | Carb. (mg/L) | Sulfate (mg/L) | Chloride (mg/L) | EC (µmhos/cm) | TDS (mg/L) |
|---|---|---|---|---|---|---|---|---|---|---|---|---|---|---|---|
| **Value** | 484.00 | 336.00 | 0.00 | 0.00 | 57.10 | 560.00 | 0.00 | 0.00 | 0.00 | 0.00 | 0.00 | 0.00 | 0.00 | 6,290.00 | 6,760 |
| **DL** | 0.50 | 0.50 | 0.50 | 0.50 | 0.50 | 0.50 | 5.00 | 5.00 | 0.50 | 0.50 | 2.00 | 1.00 | 0.10 | 1.00 | 10 |

## C. FRESH WATER ANALYSES

Irrigation Well

Irrigation Well

IW

Sample description: IW

Sample date: 11/16/2023 Source of analysis: Lab analysis

| | Total N (mg/L) | NH4-N (mg/L) | Nitrate-N (mg/L) | Calcium (mg/L) | Magnesium (mg/L) | Sodium (mg/L) | Bicarbonate (mg/L) | Carbonate (mg/L) | Sulfate (mg/L) | Chloride (mg/L) | EC (µmhos/cm) | TDS (mg/L) |
|---|---|---|---|---|---|---|---|---|---|---|---|---|
| **Value** | 41.10 | 0.00 | 0.00 | 0.00 | 0.00 | 0.00 | 0.00 | 0.00 | 0.00 | 0.00 | 1,020.00 | 525 |
| **DL** | 0.50 | 0.50 | 0.50 | 0.50 | 0.50 | 0.50 | 0.50 | 2.00 | 1.00 | 0.10 | 1.00 | 10 |

MID Lateral 6

MID Lateral 6

Sample description: MID Lateral 6

Sample date: 07/22/2022 Source of analysis: Lab analysis

| | Total N (mg/L) | NH4-N (mg/L) | Nitrate-N (mg/L) | Calcium (mg/L) | Magnesium (mg/L) | Sodium (mg/L) | Bicarbonate (mg/L) | Carbonate (mg/L) | Sulfate (mg/L) | Chloride (mg/L) | EC (µmhos/cm) | TDS (mg/L) |
|---|---|---|---|---|---|---|---|---|---|---|---|---|
| **Value** | 0.00 | 0.00 | 0.00 | 0.00 | 0.00 | 0.00 | 0.00 | 0.00 | 0.00 | 0.00 | 157.00 | 35 |
| **DL** | 0.50 | 0.50 | 0.50 | 0.50 | 0.50 | 0.50 | 0.50 | 2.00 | 1.00 | 0.10 | 1.00 | 10 |

MID Lateral 6

Sample description: MID Lateral 6

Sample date: 07/25/2023 Source of analysis: Lab analysis

| | Total N (mg/L) | NH4-N (mg/L) | Nitrate-N (mg/L) | Calcium (mg/L) | Magnesium (mg/L) | Sodium (mg/L) | Bicarbonate (mg/L) | Carbonate (mg/L) | Sulfate (mg/L) | Chloride (mg/L) | EC (µmhos/cm) | TDS (mg/L) |
|---|---|---|---|---|---|---|---|---|---|---|---|---|
| **Value** | 0.00 | 0.00 | 0.00 | | | | | | | | 38.80 | 48 |
| **DL** | 0.10 | 0.10 | 0.10 | | | | | | | | 10.00 | 10 |

## D. SOIL ANALYSES

Field 1

## Field 1

### Soil

Sample and source description: Soil

Sample date: 09/21/2023 Source of analysis: Lab analysis

| | Nitrate-N (mg/kg) | Total P (mg/kg) | Soluble P (mg/kg) | K (mg/kg) | EC (µmhos/cm) | Organic matter (%) | Total salt (mg/kg) |
|---|---|---|---|---|---|---|---|
| **Value** | | | 37.00 | | | | |
| **DL** | | | 4.00 | | | | |

## Field 2

### Soil

Sample and source description: Soil

Sample date: 10/23/2023 Source of analysis: Lab analysis

| | Nitrate-N (mg/kg) | Total P (mg/kg) | Soluble P (mg/kg) | K (mg/kg) | EC (µmhos/cm) | Organic matter (%) | Total salt (mg/kg) |
|---|---|---|---|---|---|---|---|
| **Value** | | | 73.00 | | | | |
| **DL** | | | 4.00 | | | | |

## Field 3

### Soil

Sample and source description: Soil

Sample date: 09/21/2023 Source of analysis: Lab analysis

| | Nitrate-N (mg/kg) | Total P (mg/kg) | Soluble P (mg/kg) | K (mg/kg) | EC (µmhos/cm) | Organic matter (%) | Total salt (mg/kg) |
|---|---|---|---|---|---|---|---|
| **Value** | | | 45.00 | | | | |
| **DL** | | | 4.00 | | | | |

## Field 4

## Field 4

### Soil

Sample and source description: Soil

Sample date: 09/21/2023 Source of analysis: Lab analysis

| | Nitrate-N (mg/kg) | Total P (mg/kg) | Soluble P (mg/kg) | K (mg/kg) | EC (µmhos/cm) | Organic matter (%) | Total salt (mg/kg) |
|---|---|---|---|---|---|---|---|
| **Value** | | | 79.00 | | | | |
| **DL** | | | 4.00 | | | | |

## Field 5

### Soil

Sample and source description: Soil

Sample date: 09/21/2023 Source of analysis: Lab analysis

| | Nitrate-N (mg/kg) | Total P (mg/kg) | Soluble P (mg/kg) | K (mg/kg) | EC (µmhos/cm) | Organic matter (%) | Total salt (mg/kg) |
|---|---|---|---|---|---|---|---|
| **Value** | | | 92.00 | | | | |
| **DL** | | | 4.00 | | | | |

## Field 6

### Soil

Sample and source description: Soil

Sample date: 09/21/2023 Source of analysis: Lab analysis

| | Nitrate-N (mg/kg) | Total P (mg/kg) | Soluble P (mg/kg) | K (mg/kg) | EC (µmhos/cm) | Organic matter (%) | Total salt (mg/kg) |
|---|---|---|---|---|---|---|---|
| **Value** | | | 79.00 | | | | |
| **DL** | | | 4.00 | | | | |

## Field 7

Field 7

Soil

Sample and source description: Soil

Sample date: 09/21/2023 Source of analysis: Lab analysis

| | Nitrate-N (mg/kg) | Total P (mg/kg) | Soluble P (mg/kg) | K (mg/kg) | EC (µmhos/cm) | Organic matter (%) | Total salt (mg/kg) |
|---|---|---|---|---|---|---|---|
| **Value** | | | 70.00 | | | | |
| **DL** | | | 4.00 | | | | |

## E. PLANT TISSUE ANALYSES

Field 1 - 10/26/2022: Wheat, silage, soft dough

Forage

Sample and source description: Forage

Sample date: 04/28/2023 Source of analysis: Lab analysis Method of reporting: As-is

Moisture: 69.0 %

| | Total N (mg/kg) | Total P (mg/kg) | Total K (mg/kg) | Total salt (mg/kg) | TFS (%) |
|---|---|---|---|---|---|
| **Value** | 7,450.00 | 810.00 | 11,200.00 | | 15.30 |
| **DL** | 100.00 | 100.00 | 100.00 | | 0.01 |

Forage

Sample and source description: Forage

Sample date: 04/28/2023 Source of analysis: Lab analysis Method of reporting: As-is

Moisture: 70.0 %

| | Total N (mg/kg) | Total P (mg/kg) | Total K (mg/kg) | Total salt (mg/kg) | TFS (%) |
|---|---|---|---|---|---|
| **Value** | 6,340.00 | 1,190.00 | 10,100.00 | | 12.20 |
| **DL** | 100.00 | 100.00 | 100.00 | | 0.01 |

## Field 1 - 10/26/2022: Wheat, silage, soft dough

### Forage

Sample and source description: Forage

Sample date: 04/28/2023 Source of analysis: Lab analysis Method of reporting: As-is

Moisture: 72.0 %

| | Total N (mg/kg) | Total P (mg/kg) | Total K (mg/kg) | Total salt (mg/kg) | TFS (%) |
|---|---|---|---|---|---|
| **Value** | 6,790.00 | 1,120.00 | 9,230.00 | | 13.10 |
| **DL** | 100.00 | 100.00 | 100.00 | | 0.01 |

## Field 1 - 05/22/2023: Corn, silage

### Corn Silage

Sample and source description: Corn Silage

Sample date: 10/05/2023 Source of analysis: Lab analysis Method of reporting: As-is

Moisture: 78.4 %

| | Total N (mg/kg) | Total P (mg/kg) | Total K (mg/kg) | Total salt (mg/kg) | TFS (%) |
|---|---|---|---|---|---|
| **Value** | 2,610.00 | 420.00 | 2,310.00 | | 5.30 |
| **DL** | 100.00 | 100.00 | 100.00 | | 0.01 |

### Corn Silage

Sample and source description: Corn Silage

Sample date: 10/05/2023 Source of analysis: Lab analysis Method of reporting: As-is

Moisture: 69.4 %

| | Total N (mg/kg) | Total P (mg/kg) | Total K (mg/kg) | Total salt (mg/kg) | TFS (%) |
|---|---|---|---|---|---|
| **Value** | 3,490.00 | 560.00 | 3,080.00 | | 6.30 |
| **DL** | 100.00 | 100.00 | 100.00 | | 0.01 |

## Field 1 - 05/22/2023: Corn, silage

### Corn Silage

Sample and source description: Corn Silage

Sample date: 10/05/2023 Source of analysis: Lab analysis Method of reporting: As-is

Moisture: 70.2 %

| | Total N (mg/kg) | Total P (mg/kg) | Total K (mg/kg) | Total salt (mg/kg) | TFS (%) |
|---|---|---|---|---|---|
| **Value** | 3,700.00 | 590.00 | 3,260.00 | | 6.10 |
| **DL** | 100.00 | 100.00 | 100.00 | | 0.01 |

## Field 2 - 10/26/2022: Wheat Hay

### Wheat Hay

Sample and source description: Wheat Hay

Sample date: 06/02/2023 Source of analysis: Lab analysis Method of reporting: As-is

Moisture: 18.0 %

| | Total N (mg/kg) | Total P (mg/kg) | Total K (mg/kg) | Total salt (mg/kg) | TFS (%) |
|---|---|---|---|---|---|
| **Value** | 13,800.00 | 2,080.00 | 19,000.00 | | 8.88 |
| **DL** | 100.00 | 100.00 | 100.00 | | 0.01 |

### Wheat Hay

Sample and source description: Wheat Hay

Sample date: 06/02/2023 Source of analysis: Lab analysis Method of reporting: As-is

Moisture: 19.0 %

| | Total N (mg/kg) | Total P (mg/kg) | Total K (mg/kg) | Total salt (mg/kg) | TFS (%) |
|---|---|---|---|---|---|
| **Value** | 11,000.00 | 2,380.00 | 21,000.00 | | 9.81 |
| **DL** | 100.00 | 100.00 | 100.00 | | 0.01 |

## Field 2 - 06/29/2023: Corn, silage

## Field 2 - 06/29/2023: Corn, silage

### Corn Silage

Sample and source description: Corn Silage
Sample date: 10/23/2023 Source of analysis: Lab analysis Method of reporting: As-is
Moisture: 68.4 %

| | Total N (mg/kg) | Total P (mg/kg) | Total K (mg/kg) | Total salt (mg/kg) | TFS (%) |
|---|---|---|---|---|---|
| **Value** | 3,540.00 | 750.00 | 5,050.00 | | 6.20 |
| **DL** | 100.00 | 100.00 | 100.00 | | 0.01 |

### Corn Silage

Sample and source description: Corn Silage
Sample date: 10/23/2023 Source of analysis: Lab analysis Method of reporting: As-is
Moisture: 68.2 %

| | Total N (mg/kg) | Total P (mg/kg) | Total K (mg/kg) | Total salt (mg/kg) | TFS (%) |
|---|---|---|---|---|---|
| **Value** | 3,560.00 | 620.00 | 4,620.00 | | 6.80 |
| **DL** | 100.00 | 100.00 | 100.00 | | 0.01 |

## Field 3 - 10/26/2022: Wheat, silage, soft dough

### Forage

Sample and source description: Forage
Sample date: 04/28/2023 Source of analysis: Lab analysis Method of reporting: As-is
Moisture: 71.4 %

| | Total N (mg/kg) | Total P (mg/kg) | Total K (mg/kg) | Total salt (mg/kg) | TFS (%) |
|---|---|---|---|---|---|
| **Value** | 6,020.00 | 1,270.00 | 10,500.00 | | 14.10 |
| **DL** | 100.00 | 100.00 | 100.00 | | 0.01 |

## Field 3 - 05/22/2023: Corn, silage

## Field 3 - 05/22/2023: Corn, silage

### Corn Silage

Sample and source description: Corn Silage

Sample date: 10/05/2023 Source of analysis: Lab analysis Method of reporting: As-is

Moisture: 69.8 %

| | Total N (mg/kg) | Total P (mg/kg) | Total K (mg/kg) | Total salt (mg/kg) | TFS (%) |
|---|---|---|---|---|---|
| **Value** | 3,260.00 | 590.00 | 3,200.00 | | 6.30 |
| **DL** | 100.00 | 100.00 | 100.00 | | 0.01 |

## Field 4 - 10/26/2022: Wheat, silage, soft dough

### Forage

Sample and source description: Forage

Sample date: 04/28/2023 Source of analysis: Lab analysis Method of reporting: As-is

Moisture: 70.0 %

| | Total N (mg/kg) | Total P (mg/kg) | Total K (mg/kg) | Total salt (mg/kg) | TFS (%) |
|---|---|---|---|---|---|
| **Value** | 6,720.00 | 1,220.00 | 10,100.00 | | 12.60 |
| **DL** | 100.00 | 100.00 | 100.00 | | 0.01 |

### Forage

Sample and source description: Forage

Sample date: 04/28/2023 Source of analysis: Lab analysis Method of reporting: As-is

Moisture: 69.8 %

| | Total N (mg/kg) | Total P (mg/kg) | Total K (mg/kg) | Total salt (mg/kg) | TFS (%) |
|---|---|---|---|---|---|
| **Value** | 7,620.00 | 1,240.00 | 12,800.00 | | 12.00 |
| **DL** | 100.00 | 100.00 | 100.00 | | 0.01 |

## Field 4 - 05/27/2023: Corn, silage

## Field 4 - 05/27/2023: Corn, silage

### Corn Silage

Sample and source description: Corn Silage
Sample date: 10/05/2023 Source of analysis: Lab analysis Method of reporting: As-is
Moisture: 68.8 %

| | Total N (mg/kg) | Total P (mg/kg) | Total K (mg/kg) | Total salt (mg/kg) | TFS (%) |
|---|---|---|---|---|---|
| **Value** | 3,740.00 | 680.00 | 3,440.00 | | 5.80 |
| **DL** | 100.00 | 100.00 | 100.00 | | 0.01 |

### Corn Silage

Sample and source description: Corn Silage
Sample date: 10/05/2023 Source of analysis: Lab analysis Method of reporting: As-is
Moisture: 69.5 %

| | Total N (mg/kg) | Total P (mg/kg) | Total K (mg/kg) | Total salt (mg/kg) | TFS (%) |
|---|---|---|---|---|---|
| **Value** | 3,540.00 | 690.00 | 3,510.00 | | 5.90 |
| **DL** | 100.00 | 100.00 | 100.00 | | 0.01 |

## Field 5 - 10/27/2022: Wheat Hay

### Wheat Hay

Sample and source description: Wheat Hay
Sample date: 06/02/2023 Source of analysis: Lab analysis Method of reporting: As-is
Moisture: 16.6 %

| | Total N (mg/kg) | Total P (mg/kg) | Total K (mg/kg) | Total salt (mg/kg) | TFS (%) |
|---|---|---|---|---|---|
| **Value** | 24,000.00 | 2,160.00 | 19,900.00 | | 8.86 |
| **DL** | 100.00 | 100.00 | 100.00 | | 0.01 |

## Field 5 - 10/27/2022: Wheat Hay

### Wheat Hay

Sample and source description: Wheat Hay

Sample date: 06/02/2023 Source of analysis: Lab analysis Method of reporting: As-is

Moisture: 8.0 %

| | Total N (mg/kg) | Total P (mg/kg) | Total K (mg/kg) | Total salt (mg/kg) | TFS (%) |
|---|---|---|---|---|---|
| **Value** | 17,000.00 | 2,750.00 | 25,900.00 | | 9.60 |
| **DL** | 100.00 | 100.00 | 100.00 | | 0.01 |

## Field 5 - 06/29/2023: Corn, silage

### Corn Silage

Sample and source description: Corn Silage

Sample date: 10/23/2023 Source of analysis: Lab analysis Method of reporting: As-is

Moisture: 65.0 %

| | Total N (mg/kg) | Total P (mg/kg) | Total K (mg/kg) | Total salt (mg/kg) | TFS (%) |
|---|---|---|---|---|---|
| **Value** | 4,060.00 | 570.00 | 4,720.00 | | 5.90 |
| **DL** | 100.00 | 100.00 | 100.00 | | 0.01 |

### Corn Silage

Sample and source description: Corn Silage

Sample date: 10/23/2023 Source of analysis: Lab analysis Method of reporting: As-is

Moisture: 69.0 %

| | Total N (mg/kg) | Total P (mg/kg) | Total K (mg/kg) | Total salt (mg/kg) | TFS (%) |
|---|---|---|---|---|---|
| **Value** | 3,290.00 | 530.00 | 4,610.00 | | 6.60 |
| **DL** | 100.00 | 100.00 | 100.00 | | 0.01 |

## Field 6 - 10/27/2022: Wheat, silage, soft dough

## Field 6 - 10/27/2022: Wheat, silage, soft dough

### Forage

Sample and source description: Forage

Sample date: 04/28/2023 Source of analysis: Lab analysis Method of reporting: As-is

Moisture: 68.4 %

| | Total N (mg/kg) | Total P (mg/kg) | Total K (mg/kg) | Total salt (mg/kg) | TFS (%) |
|---|---|---|---|---|---|
| **Value** | 5,980.00 | 1,110.00 | 10,800.00 | | 1.39 |
| **DL** | 100.00 | 100.00 | 100.00 | | 0.01 |

### Forage

Sample and source description: Forage

Sample date: 04/28/2023 Source of analysis: Lab analysis Method of reporting: As-is

Moisture: 70.4 %

| | Total N (mg/kg) | Total P (mg/kg) | Total K (mg/kg) | Total salt (mg/kg) | TFS (%) |
|---|---|---|---|---|---|
| **Value** | 6,370.00 | 1,120.00 | 11,100.00 | | 11.40 |
| **DL** | 100.00 | 100.00 | 100.00 | | 0.01 |

## Field 6 - 05/24/2023: Corn, silage

### Corn Silage

Sample and source description: Corn Silage

Sample date: 10/05/2023 Source of analysis: Lab analysis Method of reporting: As-is

Moisture: 70.0 %

| | Total N (mg/kg) | Total P (mg/kg) | Total K (mg/kg) | Total salt (mg/kg) | TFS (%) |
|---|---|---|---|---|---|
| **Value** | 3,330.00 | 570.00 | 3,200.00 | | 7.00 |
| **DL** | 100.00 | 100.00 | 100.00 | | 0.01 |

## Field 6 - 05/24/2023: Corn, silage

### Corn Silage

Sample and source description: Corn Silage

Sample date: 10/05/2023 Source of analysis: Lab analysis Method of reporting: As-is

Moisture: 68.8 %

| | Total N (mg/kg) | Total P (mg/kg) | Total K (mg/kg) | Total salt (mg/kg) | TFS (%) |
|---|---|---|---|---|---|
| **Value** | 3,620.00 | 730.00 | 3,210.00 | | 6.50 |
| **DL** | 100.00 | 100.00 | 100.00 | | 0.01 |

## Field 7 - 10/27/2022: Wheat, silage, soft dough

### Forage

Sample and source description: Forage

Sample date: 04/28/2023 Source of analysis: Lab analysis Method of reporting: As-is

Moisture: 73.2 %

| | Total N (mg/kg) | Total P (mg/kg) | Total K (mg/kg) | Total salt (mg/kg) | TFS (%) |
|---|---|---|---|---|---|
| **Value** | 5,510.00 | 1,080.00 | 10,900.00 | | 12.00 |
| **DL** | 100.00 | 100.00 | 100.00 | | 0.01 |

## Field 7 - 05/24/2023: Corn, silage

### Corn Silage

Sample and source description: Corn Silage

Sample date: 10/05/2023 Source of analysis: Lab analysis Method of reporting: As-is

Moisture: 70.3 %

| | Total N (mg/kg) | Total P (mg/kg) | Total K (mg/kg) | Total salt (mg/kg) | TFS (%) |
|---|---|---|---|---|---|
| **Value** | 3,210.00 | 500.00 | 3,060.00 | | 5.40 |
| **DL** | 100.00 | 100.00 | 100.00 | | 0.01 |

## F. SUBSURFACE (TILE) DRAINAGE ANALYSES

*No subsurface (tile) drainage analyses entered.*

NUTRIENT APPLICATIONS, POTENTIAL REMOVAL, AND BALANCE

## A. SUMMARY OF NUTRIENT APPLICATIONS, POTENTIAL REMOVAL, AND BALANCE

| | Total N (lbs) | Total P (lbs) | Total K (lbs) | Total salt (lbs) |
|---|---|---|---|---|
| Existing soil nutrient content | 0.00 | 0.00 | 0.00 | 0.00 |
| Plowdown credit | 0.00 | 0.00 | 0.00 | 0.00 |
| Commercial fertilizer / Other | 18,549.00 | 0.00 | 0.00 | 0.00 |
| Dry manure | 23,231.41 | 2,565.43 | 13,411.51 | 84,089.16 |
| Process wastewater | 218,431.38 | 21,783.62 | 273,186.18 | 2,070,639.84 |
| Fresh water | 1,753.31 | 0.00 | 0.00 | 266,770.71 |
| Atmospheric deposition | 6,412.00 | 0.00 | 0.00 | 0.00 |
| Total nutrients applied | 268,377.10 | 24,349.05 | 286,597.68 | 2,421,499.71 |
| Anticipated crop nutrient removal | 179,748.00 | 31,401.60 | 143,372.40 | 0.00 |
| Actual crop nutrient removal | 220,371.02 | 33,787.92 | 274,168.71 | 1,144,681.45 |
| Nutrient balance | 48,006.08 | -9,438.87 | 12,428.98 | 1,276,818.26 |
| Applied to removed ratio | 1.22 | 0.72 | 1.05 | 2.12 |

## B. POUNDS OF NUTRIENT APPLIED VS. CROP REMOVAL

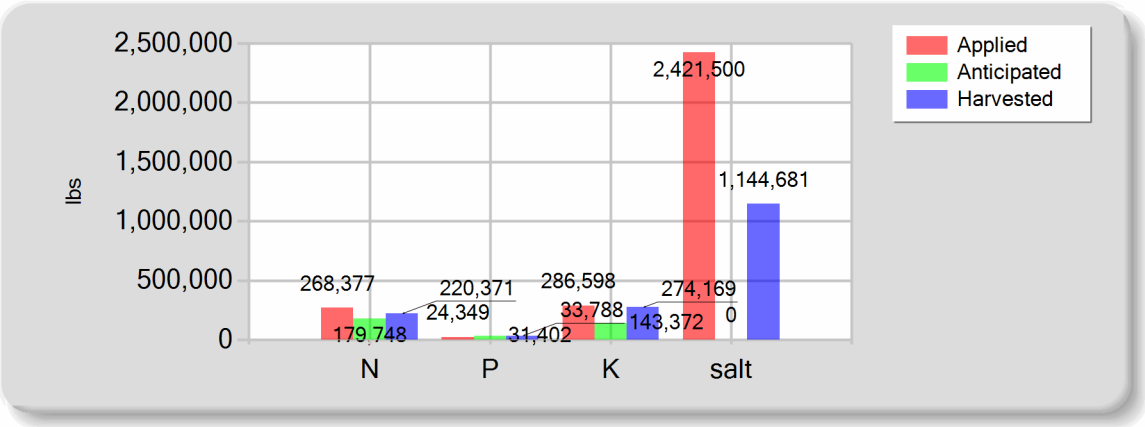

## C. POUNDS OF NUTRIENT APPLIED BY MATERIAL TYPE

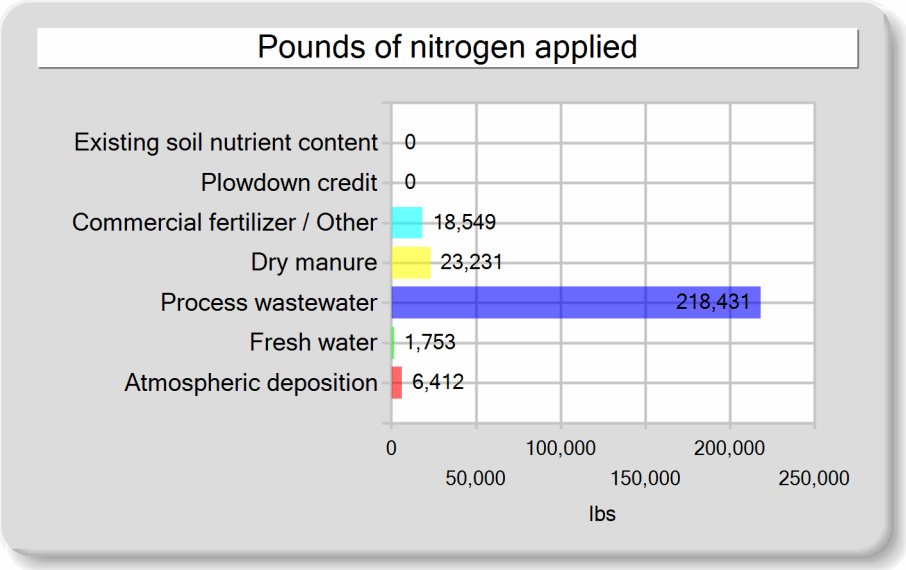


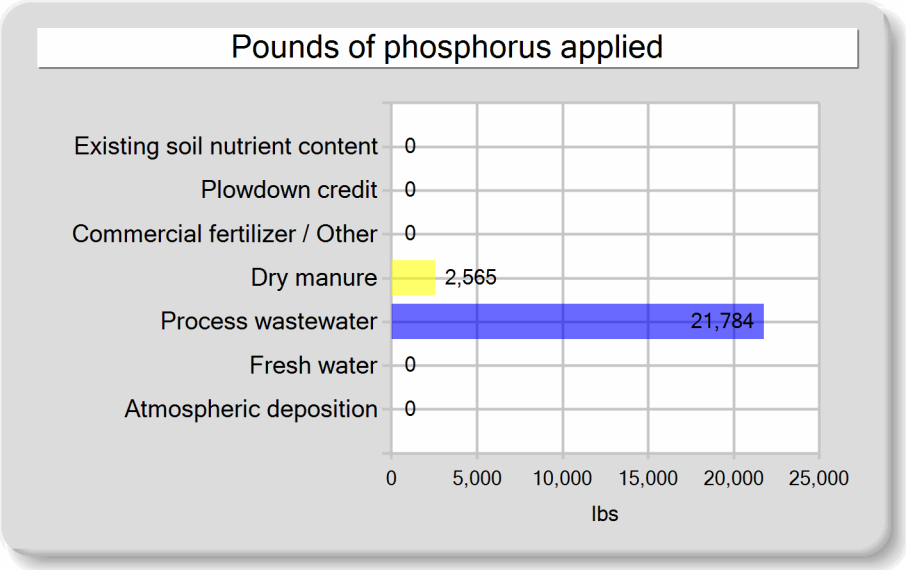


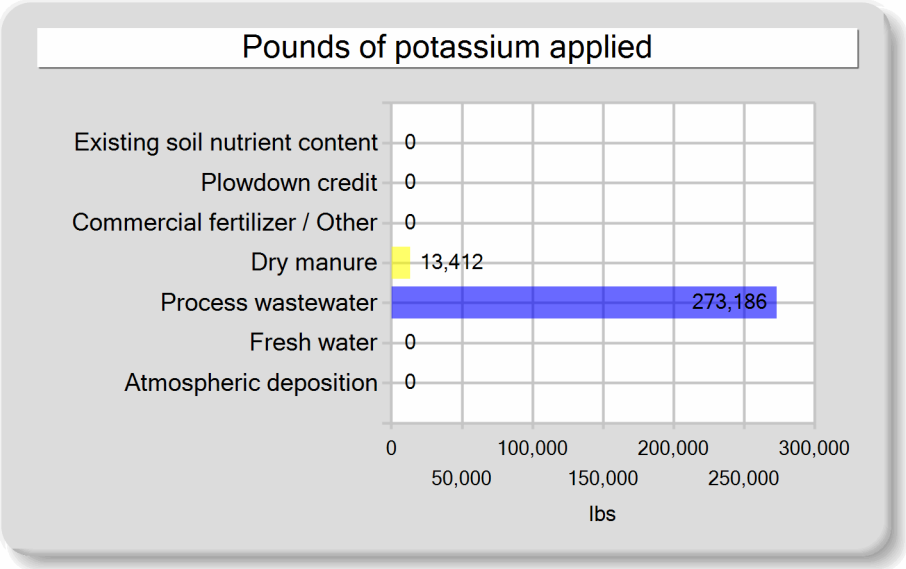


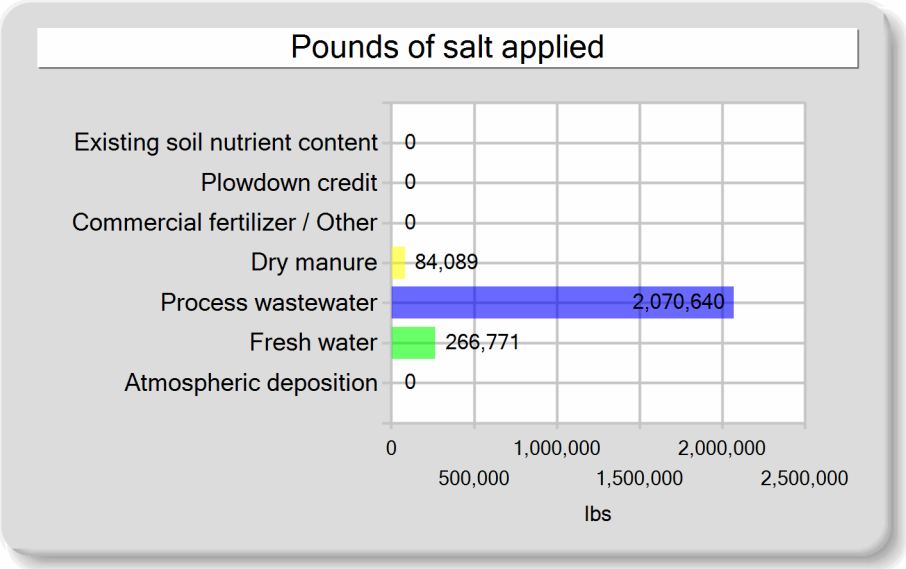

## EXCEPTION REPORTING

### A. MANURE, PROCESS WASTEWATER, AND OTHER DAIRY WASTE DISCHARGES

The following is a summary of all manure and process wastewater discharges from the production area to surface water or to land areas (land application areas or otherwise) when not in accordance with the facility's Nutrient Management Plan.

*No manure or process wastewater discharges occurred during the reporting period.*

### B. STORM WATER DISCHARGES

The following is a summary of all storm water discharges from the production area to surface water during the reporting period when not in accordance with the facility 's Nutrient Management Plan.

*No stormwater discharges occurred during the reporting period.*

### C. LAND APPLICATION AREA TO SURFACE WATER DISCHARGES

The following is a summary of all discharges from the land application area to surface water that have occurred during the reporting period when not in accordance with the facility's Nutrient Management Plan.

*No land application area to surface water discharges occurred during the reporting period.*

## NUTRIENT MANAGEMENT PLAN AND EXPORT AGREEMENT STATEMENTS

### A. NUTRIENT MANAGEMENT PLAN STATEMENTS

| | |
|---|---|
| Was the facility's NMP updated in the reporting period? | No |
| Was the facility's NMP developed by a certified nutrient management planner (specialist) as specified in Attachment C of the General Order? | Yes |
| Was the facility's NMP approved by a certified nutrient management planner (specialist) as specified in Attachment C of the General Order? | Yes |

### B. EXPORT AGREEMENT STATEMENT

| | |
|---|---|
| Are there any written agreements with third parties to receive manure or process wastewater that are new or were revised within the reporting period? | No |

ADDITIONAL NOTES

**A. NOTES**

A high ratio was recorded on Field 3 for the Corn Silage crop. This was due to the crop not meeting the anticipated nitrogen removal, removing only 206.2 pounds per acre compared to the anticipated 240 pounds per acre.

CERTIFICATION

**A. OWNER AND/OR OPERATOR CERTIFICATION**

*I certify under penalty of law that I have personally examined and am familiar with the information submitted in this document and all attachments and that, based on my inquiry of those individuals immediately responsible for obtaining the information, I believe that the information is true, accurate, and complete. I am aware that there are significant penalties for submitting false information, including the possibility of fine and imprisonment.*

Brian J Fiscalini (Jan 12, 2024 16:16 PST)

| | |
|---|---|
| SIGNATURE OF OWNER OF FACILITY | SIGNATURE OF OPERATOR OF FACILITY |
| Brian Fiscalini | SAME AS OWNER |
| PRINT OR TYPE NAME | PRINT OR TYPE NAME |
| Jan 12, 2024 | |
| DATE | DATE |

ATTACHMENTS

## A. REQUIRED ATTACHMENTS

The following lists the required documents that should be attached to the Annual Report when submitted .

| Annual Dairy Facility Assessment |
| --- |
| Provide an Annual Dairy Facility Assessment (an update to the Preliminary Dairy Facility Assessment in Attachment A ) for each reporting period. On the PDFA Final page, click on the ADFA Report button to generate an ADFA report after updating information as needed . |

| Manure/Process Wastewater Tracking Manifests |
| --- |
| Provide copies of all manure/process wastewater tracking manifests for the reporting period, signed by both the owner/operator and the hauler. |

| Corrective Actions Documents |
| --- |
| Provide records documenting any corrective actions taken to correct deficiencies noted as a result of the inspections required in the Monitoring Requirements of the General Order. Deficiencies not corrected in 30 days must be accompanied by an explanation of the factors preventing immediate correction. |

| Groundwater Monitoring |
| --- |
| Dischargers that monitor supply wells or subsurface (tile) drainage systems, or that have monitoring well systems must submit monitoring results as directed in the General Order, Groundwater Reporting Section starting on page MRP-13. |

| Storm Water Monitoring |
| --- |
| Dischargers that are required to monitor storm water more frequently than required in the General Order must submit monitoring results as directed in the General Order, Storm Water Reporting Section on page MRP-14. |

**Denele Analytical, Inc.**

865 South Kilroy Avenue Turlock, CA 95380
Phone (209) 634-9055 - Fax (209) 634-9057

40 N. East Street, Woodland, CA 95776
Phone (530) 666-9056 - Fax (530) 666-9058

www.denelelabs.com

# Compliance Analysis Report

**Customer**
Fiscalini Dairy Farms
4848 Jackson Rd.
Modesto, CA 95358

**Grower**

**Consultant:**
F & R Ag Services
2857 Geer Rd. Ste A
Turlock, CA 95382

PURCHASE ORDER:
RECEIVED DATE: 11/16/23 2:40 PM
SUBMITTED BY: Sean
ANALYZED DATE: 11/16/23

Irrigation / Ground Water (H7)
SOURCE: Irrigation Water

NOTES: Temperature was above qualifying at 18.6c

| Sample ID | Lab ID | Analyte | Method Ref | Result | Units |
|---|---|---|---|---|---|
| IW | T3320021A | Electrical Conductivity (EC) | EPA 120.1 and | 1.02 | mmhos/cm |
| | | Ammonia Nitrogen (NH3-N) | SM 4500-NH3 D,C | < 0.500 | mg/L |
| | | Nitrate Nitrogen (NO3-N) | EPA 353.2 | 38.3 | mg/L |
| | | Total Dissolved Solids (TDS) | SM 2540 C-1997 and | 525 | mg/L |
| | | Total Nitrogen (TN) | SM 4500-NH3 D,C | 41.1 | mg/L |
| | | Soluble Salts (SALT-SOL) | Calculation | 653 | mg/L |

| Laboratory Quality Control | LCS % | MS % | MSD % | Sample mg/L | Dup mg/L | RPD % |
|---|---|---|---|---|---|---|
| Ammonia Nitrogen (NH3-N) | 96.4 | | | 0.000 (T3320021A) | 0.000 (null) | |
| Electrical Conductivity (EC) | 95.9 | | | 0.356 (T3320005C) | 0.356 (Dup) | 0.084 |
| Nitrate Nitrogen (NO3-N) | 99.7 | 98.9 (T3321004A) | 101 (T3321004A) | | | 1.88 |
| Total Dissolved Solids (TDS) | 101 | | | 380 (T3326016A) | 370 (Dup) | 2.67 |
| Total Nitrogen (TN) | 90.7 | | | 0.000 (T3313017B) | 0.000 (null) | |

The warranty of Denele Analytical is limited to the accuracy of the analyses of the samples as received. Denele Analytical assumes no responsibility for which the customer uses our test results, nor liability for any other warranties, express or implied. These terms and conditions shall supercede any conflicting terms and conditions submitted on customer purchase orders or other forms submitted for work.



ELAP Certificate No.: 2714

**Denele Analytical, Inc.**

865 South Kilroy Avenue Turlock, CA 95380
Phone (209) 634-9055 - Fax (209) 634-9057

www.denelelabs.com

40 N. East Street, Woodland, CA 95776
Phone (530) 666-9056 - Fax (530) 666-9058

# Compliance Analysis Report

**Customer**
Fiscalini Dairy Farms
4848 Jackson Rd.
Modesto, CA 95358

**Grower**

**Consultant:**
F & R Ag Services
2857 Geer Rd. Ste A
Turlock, CA 95382

PURCHASE ORDER:
RECEIVED DATE: 11/16/23 2:40 PM
SUBMITTED BY: Sean
ANALYZED DATE: 11/16/23

Irrigation/ Ground Water (H1)
SOURCE: Well Water

NOTES: Temperature was above qualifying at 18.8c

| Sample ID | Lab ID | Analyte | Method Ref | Result | Units |
|---|---|---|---|---|---|
| DW-Elaine's | T3320021B | Electrical Conductivity (EC) | EPA 120.1 and | 1.16 | mmhos/cm |
| | | Nitrate Nitrogen (NO3-N) | EPA 353.2 | 20.5 | mg/L |
| | | Ammonia Nitrogen (NH3-N) | SM 4500-NH3 D,C | < 0.500 | mg/L |
| | | Soluble Salts (SALT-SOL) | Calculation | 743 | mg/L |

| Laboratory Quality Control | LCS % | MS % | MSD % | RPD % |
|---|---|---|---|---|
| Ammonia Nitrogen (NH3-N) | 96.4 | | | |
| Electrical Conductivity (EC) | 95.9 | | | 0.084 |
| Nitrate Nitrogen (NO3-N) | 99.7 | 98.9 (T3321004A) | 101 (T3321004A) | 1.88 |

The warranty of Denele Analytical is limited to the accuracy of the analyses of the samples as received. Denele Analytical assumes no responsibility for which the customer uses our test results, nor liability for any other warranties, express or implied. These terms and conditions shall supercede any conflicting terms and conditions submitted on customer purchase orders or other forms submitted for work.



ELAP Certificate No.: 2714

**Denele Analytical, Inc.**

865 South Kilroy Avenue Turlock, CA 95380
Phone (209) 634-9055 - Fax (209) 634-9057

www.denelelabs.com

40 N. East Street, Woodland, CA 95776
Phone (530) 666-9056 - Fax (530) 666-9058

# Compliance Analysis Report

**Customer**
Fiscalini Dairy Farms
4848 Jackson Rd.
Modesto, CA 95358

**Grower**

**Consultant:**
F & R Ag Services
2857 Geer Rd. Ste A
Turlock, CA 95382

PURCHASE ORDER:
RECEIVED DATE: 11/16/23 2:40 PM
SUBMITTED BY: Sean
ANALYZED DATE: 11/16/23

Irrigation/ Ground Water (H1)
SOURCE: Well Water

NOTES: Temperature was above qualifying at 18.6c

| Sample ID | Lab ID | Analyte | Method Ref | Result | Units |
|---|---|---|---|---|---|
| DW-Kiernan Houses | T3320021C | Electrical Conductivity (EC) | EPA 120.1 and | 1.05 | mmhos/cm |
| | | Nitrate Nitrogen (NO3-N) | EPA 353.2 | 21.5 | mg/L |
| | | Ammonia Nitrogen (NH3-N) | SM 4500-NH3 D,C | < 0.500 | mg/L |
| | | Soluble Salts (SALT-SOL) | Calculation | 671 | mg/L |

| Laboratory Quality Control | LCS % | MS % | MSD % | RPD % |
|---|---|---|---|---|
| Ammonia Nitrogen (NH3-N) | 96.4 | | | |
| Electrical Conductivity (EC) | 95.9 | | | 0.084 |
| Nitrate Nitrogen (NO3-N) | 99.7 | 98.9 (T3321004A) | 101 (T3321004A) | 1.88 |

The warranty of Denele Analytical is limited to the accuracy of the analyses of the samples as received. Denele Analytical assumes no responsibility for which the customer uses our test results, nor liability for any other warranties, express or implied. These terms and conditions shall supercede any conflicting terms and conditions submitted on customer purchase orders or other forms submitted for work.

**Denele Analytical, Inc.**

865 South Kilroy Avenue Turlock, CA 95380
Phone (209) 634-9055 - Fax (209) 634-9057

www.denelelabs.com

40 N. East Street, Woodland, CA 95776
Phone (530) 666-9056 - Fax (530) 666-9058

# Compliance Analysis Report

**Customer**
Fiscalini Dairy Farms
4848 Jackson Rd.
Modesto, CA 95358

**Grower**

**Consultant:**
F & R Ag Services
2857 Geer Rd. Ste A
Turlock, CA 95382

PURCHASE ORDER:
RECEIVED DATE: 11/16/23 2:40 PM
SUBMITTED BY: Sean
ANALYZED DATE: 11/16/23

Irrigation/ Ground Water (H1)
SOURCE: Well Water

NOTES: Temperature was above qualifying at 18.8c

| Sample ID | Lab ID | Analyte | Method Ref | Result | Units |
|---|---|---|---|---|---|
| DW-Cheesemaker | T3320021D | Electrical Conductivity (EC) | EPA 120.1 and | 1.23 | mmhos/cm |
| | | Nitrate Nitrogen (NO3-N) | EPA 353.2 | 17.0 | mg/L |
| | | Ammonia Nitrogen (NH3-N) | SM 4500-NH3 D,C | < 0.500 | mg/L |
| | | Soluble Salts (SALT-SOL) | Calculation | 789 | mg/L |

| Laboratory Quality Control | LCS % | MS % | MSD % | RPD % |
|---|---|---|---|---|
| Ammonia Nitrogen (NH3-N) | 96.4 | | | |
| Electrical Conductivity (EC) | 95.9 | | | 0.084 |
| Nitrate Nitrogen (NO3-N) | 99.7 | 98.9 (T3321004A) | 101 (T3321004A) | 1.88 |

The warranty of Denele Analytical is limited to the accuracy of the analyses of the samples as received. Denele Analytical assumes no responsibility for which the customer uses our test results, nor liability for any other warranties, express or implied. These terms and conditions shall supercede any conflicting terms and conditions submitted on customer purchase orders or other forms submitted for work.

**Denele Analytical, Inc.**

865 South Kilroy Avenue Turlock, CA 95380
Phone (209) 634-9055 - Fax (209) 634-9057

www.denelelabs.com

40 N. East Street, Woodland, CA 95776
Phone (530) 666-9056 - Fax (530) 666-9058

# Compliance Analysis Report

**Customer**
Fiscalini Dairy Farms
4848 Jackson Rd.
Modesto, CA 95358

**Grower**

**Consultant:**
F & R Ag Services
2857 Geer Rd. Ste A
Turlock, CA 95382

PURCHASE ORDER:
RECEIVED DATE: 11/16/23 2:40 PM
SUBMITTED BY: Sean
ANALYZED DATE: 11/16/23

Irrigation/ Ground Water (H1)
SOURCE: Well Water

NOTES: Temperature was above qualifying at 18.6c

| Sample ID | Lab ID | Analyte | Method Ref | Result | Units |
|---|---|---|---|---|---|
| DW-Old Dairy | T3320021E | Electrical Conductivity (EC) | EPA 120.1 and | 1.17 | mmhos/cm |
| | | Nitrate Nitrogen (NO3-N) | EPA 353.2 | 19.3 | mg/L |
| | | Ammonia Nitrogen (NH3-N) | SM 4500-NH3 D,C | < 0.500 | mg/L |
| | | Soluble Salts (SALT-SOL) | Calculation | 751 | mg/L |

| Laboratory Quality Control | LCS % | MS % | MSD % | RPD % |
|---|---|---|---|---|
| Ammonia Nitrogen (NH3-N) | 96.4 | | | |
| Electrical Conductivity (EC) | 95.9 | | | 0.084 |
| Nitrate Nitrogen (NO3-N) | 99.7 | 98.9 (T3321004A) | 101 (T3321004A) | 1.88 |

The warranty of Denele Analytical is limited to the accuracy of the analyses of the samples as received. Denele Analytical assumes no responsibility for which the customer uses our test results, nor liability for any other warranties, express or implied. These terms and conditions shall supercede any conflicting terms and conditions submitted on customer purchase orders or other forms submitted for work.

**Denele Analytical, Inc.**

865 South Kilroy Avenue Turlock, CA 95380
Phone (209) 634-9055 - Fax (209) 634-9057

www.denelelabs.com

40 N. East Street, Woodland, CA 95776
Phone (530) 666-9056 - Fax (530) 666-9058

# Compliance Analysis Report

**Customer**
Fiscalini Dairy Farms
4848 Jackson Rd.
Modesto, CA 95358

**Grower**

**Consultant:**
F & R Ag Services
2857 Geer Rd. Ste A
Turlock, CA 95382

PURCHASE ORDER:
RECEIVED DATE: 11/16/23 2:40 PM
SUBMITTED BY: Sean
ANALYZED DATE: 11/16/23

Irrigation/ Ground Water (H1)
SOURCE: Well Water

NOTES: Temperature was above qualifying at 18.2c

| Sample ID | Lab ID | Analyte | Method Ref | Result | Units |
|---|---|---|---|---|---|
| DW-New Dairy | T3320021F | Electrical Conductivity (EC) | EPA 120.1 and | 1.19 | mmhos/cm |
| | | Nitrate Nitrogen (NO3-N) | EPA 353.2 | 17.6 | mg/L |
| | | Ammonia Nitrogen (NH3-N) | SM 4500-NH3 D,C | < 0.500 | mg/L |
| | | Soluble Salts (SALT-SOL) | Calculation | 758 | mg/L |

| Laboratory Quality Control | LCS % | MS % | MSD % | RPD % |
|---|---|---|---|---|
| Ammonia Nitrogen (NH3-N) | 96.4 | | | |
| Electrical Conductivity (EC) | 95.9 | | | 0.084 |
| Nitrate Nitrogen (NO3-N) | 99.7 | 98.9 (T3321004A) | 101 (T3321004A) | 1.88 |

The warranty of Denele Analytical is limited to the accuracy of the analyses of the samples as received. Denele Analytical assumes no responsibility for which the customer uses our test results, nor liability for any other warranties, express or implied. These terms and conditions shall supercede any conflicting terms and conditions submitted on customer purchase orders or other forms submitted for work.

**Denele Analytical, Inc.**

865 South Kilroy Avenue Turlock, CA 95380
Phone (209) 634-9055 - Fax (209) 634-9057

www.denelelabs.com

40 N. East Street, Woodland, CA 95776
Phone (530) 666-9056 - Fax (530) 666-9058

# Compliance Analysis Report

**Customer**
Fiscalini Dairy Farms
4848 Jackson Rd.
Modesto, CA 95358

**Grower**

**Consultant:**
F & R Ag Services
2857 Geer Rd. Ste A
Turlock, CA 95382

PURCHASE ORDER:
RECEIVED DATE: 11/16/23 2:40 PM
SUBMITTED BY: Sean
ANALYZED DATE: 11/16/23

Irrigation/ Ground Water (H1)
SOURCE: Well Water

NOTES: Temperature was above qualifying at 18.6c

| Sample ID | Lab ID | Analyte | Method Ref | Result | Units |
|---|---|---|---|---|---|
| DW-Brian's | T3320021G | Electrical Conductivity (EC) | EPA 120.1 and | 0.628 | mmhos/cm |
| | | Nitrate Nitrogen (NO3-N) | EPA 353.2 | 8.88 | mg/L |
| | | Ammonia Nitrogen (NH3-N) | SM 4500-NH3 D,C | < 0.500 | mg/L |
| | | Soluble Salts (SALT-SOL) | Calculation | 402 | mg/L |

| Laboratory Quality Control | LCS % | MS % | MSD % | RPD % |
|---|---|---|---|---|
| Ammonia Nitrogen (NH3-N) | 96.4 | | | |
| Electrical Conductivity (EC) | 95.9 | | | 0.084 |
| Nitrate Nitrogen (NO3-N) | 99.7 | 98.9 (T3321004A) | 101 (T3321004A) | 1.88 |

The warranty of Denele Analytical is limited to the accuracy of the analyses of the samples as received. Denele Analytical assumes no responsibility for which the customer uses our test results, nor liability for any other warranties, express or implied. These terms and conditions shall supercede any conflicting terms and conditions submitted on customer purchase orders or other forms submitted for work.

**Denele Analytical, Inc.**

865 South Kilroy Avenue Turlock, CA 95380
Phone (209) 634-9055 - Fax (209) 634-9057

www.denelelabs.com

40 N. East Street, Woodland, CA 95776
Phone (530) 666-9056 - Fax (530) 666-9058

# Compliance Analysis Report

**Customer**
Fiscalini Dairy Farms
4848 Jackson Rd.
Modesto, CA 95358

**Grower**

**Consultant:**
F & R Ag Services
2857 Geer Rd. Ste A
Turlock, CA 95382

PURCHASE ORDER:
RECEIVED DATE: 11/16/23 2:40 PM
SUBMITTED BY: Sean
ANALYZED DATE: 11/16/23

Irrigation/ Ground Water (H1)
SOURCE: Well Water

NOTES: Temperature was above qualifying at 18.0c

| Sample ID | Lab ID | Analyte | Method Ref | Result | Units |
|---|---|---|---|---|---|
| DW-John's | T3320021H | Electrical Conductivity (EC) | EPA 120.1 and | 1.59 | mmhos/cm |
| | | Nitrate Nitrogen (NO3-N) | EPA 353.2 | 42.0 | mg/L |
| | | Ammonia Nitrogen (NH3-N) | SM 4500-NH3 D,C | < 0.500 | mg/L |
| | | Soluble Salts (SALT-SOL) | Calculation | 1020 | mg/L |

| Laboratory Quality Control | LCS % | MS % | MSD % | RPD % |
|---|---|---|---|---|
| Ammonia Nitrogen (NH3-N) | 96.4 | | | |
| Electrical Conductivity (EC) | 95.9 | | | 0.084 |
| Nitrate Nitrogen (NO3-N) | 99.7 | 98.9 (T3321004A) | 101 (T3321004A) | 1.88 |

The warranty of Denele Analytical is limited to the accuracy of the analyses of the samples as received. Denele Analytical assumes no responsibility for which the customer uses our test results, nor liability for any other warranties, express or implied. These terms and conditions shall supercede any conflicting terms and conditions submitted on customer purchase orders or other forms submitted for work.

# DENELE ANALYTICAL, INC.

865 S. KILROY ROAD
TURLOCK, CA 95380
PH# 209-634-9055 FAX# 209-634-9057

## DAIRY COMPLIANCE

**Client:** FISCALINI FARMS
**Mailing address:**
(not facility address) MODESTO CA
**Phone#:**

**Authorized Copy Released To:** F&R AG SERVICES
**Sampled By:** Sean Locke
**Project ID:**

## ANALYSIS TO BE COMPLETED:

**IRRIGATION/GROUND WATER**
- **H1** EC*, NO3-N, NH4-N*
- **H6** EC, TN, TDS
- **H7** Combination of H1 & H6
- **H14** EC, NO3-N, NH4-N, Ca, Mg, Na, Bicarb Carb, SO4, Cl, TDS

**PROCESS WASTE WATER**
- **H3** EC*, NH4-N, TKN, TP, K, TDS
- **H4** EC*, NO3-N, NH4-N, TKN, TP, K, TDS
- **H5** Ca, Mg, Na, Bicarb, Carb, SO4, Cl
- **H8** Combination of H3 &H5
- **H9** Combination of H4 &H5

**TILE DRAIN**
- **H2** EC*, NO3-N, TP, NH4-N*, TDS

** Required Field Measurement*

___ (Check here if performed)

**DISCHARGE WATER**
- **E1** EC*, Temp*, pH*, NO3-N, NH3-N, NH4-N, TKN, TP, K, TDS, Dissolved Oxygen*, BOD 5, TSS, Total & Fecal Coliforms
- **E2** EC,* Temp*, pH*, NO3-N, NH3-N*, NH4-N*, Turbidity, TP, Dissolved Oxygen*, Total & Fecal Coliforms
- **E3** EC*, Temp*, pH*, NO3-N, NH3-N*, NH4-N*, TP, Total & Fecal Coliforms
- **E4** EC*, Temp*, pH*, NO3-N, NH3-N*, NH4-N*, Turbidity, TP, Total & Fecal Coliform

**MANURE**
- **M1** % Moisture
- **M3** TN TP, K, % Moisture
- **M4** Ca, Mg, Na, Bicarb, Carb, SO4, Cl, Ash
- **M7** Combination of M3 & M4

**PLANT TISSUE**
- **F18** % Moisture, Ash, TN, P, K, DM and as received
- **F18+** % Moisture, Ash, TN, P, K, DM and as received (Package also includes NIR DCAD)
- **F19+** % Moisture, TN (Package includes complete plant tissue analysis)

**SOIL**
- **K3** Soluble Phosphorus
- **K4** 1ft NO3, Organic Matter
- **K5** Pre-Plant (2ft NO3), Fall (1-2ft NO3), Fall (2-3ft NO3)
- **K6** 0-1ft EC, NO3, Soluble P, K, Organic Matter
- **K7** Combination of K3 & K4
- **K8** Combination of K3 & K5

| | Date Collected | Time Collected | Sample ID | Description | Temp | Well Purge | H1 | H3 | M3 | F18 | OTHER |
|---|---|---|---|---|---|---|---|---|---|---|---|
| 1 | 11/16/23 | 10:30 | IW | AG WELL | 18.6° | | | | | | H7 |
| 2 | | 10:35 | DW- ELAINE'S | DOMESTIC | 18.8° | | X | | | | |
| 3 | | 10:40 | DW- KIERNAN HOUSES | | 18.6° | | X | | | | |
| 4 | | 10:45 | DW -CHEESEMAKER | | 18.8° | | X | | | | |
| 5 | | 10:50 | DW- OLD DAIRY | | 18.6° | | X | | | | |
| 6 | | 10:55 | DW- NEW DAIRY | | 18.2° | | X | | | | |
| 7 | | 11:00 | DW - BRIAN'S | | 18.6° | | X | | | | |
| 8 | | 11:05 | DW- JOHN'S | | 18.0° | | X | | | | |
| 9 | | | | | | | | | | | |
| 10 | | | | | | | | | | | |

Analysis

**CHAIN OF CUSTODY RECORDING**

| | Signature | Company | Received Date & Time | Relinquished Date & Time | Logged in By: | LABORATORY NUMBER |
|---|---|---|---|---|---|---|
| | | F&R AG SERVICES | | | | |
| 2nd | | DENELE ANALYTICAL, INC. | 11-16-23 2:40 | | | T3320021 |

*(LABORATORY USE ONLY)*

Required to be submitted to any agency? ( YES / NO )

# Fiscalini 2023 Annual Report

Final Audit Report 2024-01-13

| | |
|---|---|
| Created: | 2024-01-13 |
| By: | Vince Furtado (vfurtado@fragservices.com) |
| Status: | Signed |
| Transaction ID: | CBJCHBCAABAAbMs2BpDEXLWOVhYPl3hoC83--y-khiKI |

## "Fiscalini 2023 Annual Report" History

Document created by Vince Furtado (vfurtado@fragservices.com)
2024-01-13 - 0:14:22 AM GMT

Document emailed to brianfiscalini@fiscalinicheese.com for signature
2024-01-13 - 0:15:23 AM GMT

Email viewed by brianfiscalini@fiscalinicheese.com
2024-01-13 - 0:15:36 AM GMT

Signer brianfiscalini@fiscalinicheese.com entered name at signing as Brian J Fiscalini
2024-01-13 - 0:16:35 AM GMT

Document e-signed by Brian J Fiscalini (brianfiscalini@fiscalinicheese.com)
Signature Date: 2024-01-13 - 0:16:37 AM GMT - Time Source: server

Agreement completed.
2024-01-13 - 0:16:37 AM GMT