Annual Report - General Order No. R5-2007-0035
Reporting period 01/01/2023 to 12/31/2023.

DAIRY FACILITY INFORMATION

A. NAME OF DAIRY OR BUSINESS OPERATING THE DAIRY: A & M Azevedo Dairy

Physical address of dairy:

5454 W Keyes RD	Modesto	Stanislaus	95358
Number and Street	City	County	Zip Code

Street and nearest cross street (if no address):

Date facility was originally placed in operation: 01/01/1938

Regional Water Quality Control Board Basin Plan designation: San Joaquin River Basin

County Assessor Parcel Number(s) for dairy facility:

0017-0061-0008-0000

B. OPERATORS

Azevedo, Alvarino

Operator name: Azevedo, Alvarino

Telephone no.: (209) 531-9959 (Landline) (Cellular)

5454 W Keyes RD	Modesto	CA	95358
Mailing Address Number and Street	City	State	Zip Code

This operator is responsible for paying permit fees.

C. OWNERS

Azevedo, Alvarino

Legal owner name: Azevedo, Alvarino

Telephone no.: (209) 531-9959 (Landline) (Cellular)

5454 W Keyes RD	Modesto	CA	95358
Mailing Address Number and Street	City	State	Zip Code

This owner is responsible for paying permit fees.

AVAILABLE NUTRIENTS

A. HERD INFORMATION

	Milk Cows	Dry Cows	Bred Heifers (15-24 mo.)	Heifers (7-14 mo. to breeding)	Calves (4-6 mo.)	Calves (0-3 mo.)
Number open confinement	0	0	0	0	0	0
Number under roof	0	0	0	0	0	0
Maximum number	0	0	0	0	0	0
Average number	0	0	0	0	0	0
Avg live weight (lbs)	0	0	0	0		

Predominant milk cow breed: Holstein

Average milk production: 1 *pounds per cow per day*

B. MANURE GENERATED

Total manure excreted by the herd: 1.00 *tons per reporting period*

Total nitrogen from manure: 1.00 *lbs per reporting period*

After ammonia losses (30% loss applied): 0.70 *lbs per reporting period*

Total phosphorus from manure: 1.00 *lbs per reporting period*

Total potassium from manure: 1.00 *lbs per reporting period*

Total salt from manure: 0.00 *lbs per reporting period*

C. PROCESS WASTEWATER GENERATED

Process wastewater generated: _____ *gallons*

Total nitrogen generated: _____ *lbs*

Total phosphorus generated: _____ *lbs*

Total potassium generated: _____ *lbs*

Total salt generated: _____ *lbs*

	0	*gallons applied*
+	0	*gallons exported*
-	0	*gallons imported*
=	0	*gallons generated*

D. FRESH WATER SOURCES

Source Description	Type
Turlock Irrigation District	Surface water

E. SUBSURFACE (TILE) DRAINAGE SOURCES

No subsurface (tile) drainage sources entered.

F. NUTRIENT IMPORTS

No dry manure nutrient imports entered.

No process wastewater nutrient imports entered.

Date	Material type / Description	Quantity	Reporting basis	Moisture (%)	N (%)	P (%)	K (%)	Salt (%)
06/30/2023	Liquid commercial fertilizer *Fertilizer*	3,230.00 *gal*			82.000000	0.000000	0.000000	0.000000

Material type	Total N (lbs)	Total P (lbs)	Total K (lbs)	Total salt (lbs)
Commercial fertilizer / Other	22,102.57	0.00	0.00	0.00
Dry manure	0.00	0.00	0.00	0.00
Process wastewater	0.00	0.00	0.00	0.00
Total imports for all materials	22,102.57	0.00	0.00	0.00

G. NUTRIENT EXPORTS

No solid nutrient exports entered.

No liquid nutrient exports entered.

APPLICATION AREA

A. LIST OF LAND APPLICATION AREAS

Field name	Controlled acres	Cropable acres	Total harvests	Type of waste applied	Parcel number
Dairy Field	65	65	2	none	X017-X061-X008-XXXX
Totals for areas that were used for application					
Totals for areas that were not used for application	65	65	2		
Land application area totals	65	65	2		

B. CROPS AND HARVESTS

Dairy Field

Field name: Dairy Field

10/25/2022: Oats, silage-soft dough

Crop: Oats, silage-soft dough Acres planted: 65 Plant date: 10/25/2022

Harvest date	Yield	Reporting basis	Density (lbs/cu ft)	Moisture (%)	N (mg/kg)	P (mg/kg)	K (mg/kg)	Salt (mg/kg)	TFS (%)
05/07/2023	940.00 *ton*	Dry-weight		55.6	15,550.00	3,230.00	43,600.00		9.60

	Yield (tons/acre)	Total N (lbs/acre)	Total P (lbs/acre)	Total K (lbs/acre)	Salt (lbs/acre)
Anticipated harvest content	16.00	160.00	25.60	132.80	1,600.00
Total actual harvest content	14.46	199.69	41.48	559.90	1,232.82

05/29/2023: Corn, silage

Crop: Corn, silage Acres planted: 65 Plant date: 05/29/2023

Harvest date	Yield	Reporting basis	Density (lbs/cu ft)	Moisture (%)	N (mg/kg)	P (mg/kg)	K (mg/kg)	Salt (mg/kg)	TFS (%)
10/02/2023	1,973.00 *ton*	Dry-weight		68.8	10,400.00	2,320.00	17,200.00		3.70

	Yield (tons/acre)	Total N (lbs/acre)	Total P (lbs/acre)	Total K (lbs/acre)	Salt (lbs/acre)
Anticipated harvest content	30.00	240.00	45.00	198.00	1,500.00
Total actual harvest content	30.35	196.98	43.94	325.78	700.81

NUTRIENT BUDGET

A. LAND APPLICATIONS

Dairy Field - 10/25/2022: Oats, silage-soft dough

Field name: Dairy Field

Crop: Oats, silage-soft dough — Plant date: 10/25/2022

Application date	Application method	Precipitation 24 hours prior	Precipitation during application	Precipitation 24 hours following
10/10/2022	Surface (irrigation)	No precipitation	No precipitation	No precipitation

Source description	Material type	N (lbs/acre)	P (lbs/acre)	K (lbs/acre)	Salt (lbs/acre)	Amount
Turlock Irrigation District	Surface water	5.09	0.00	0.00	178.06	11,007,410.00 *gal*
Application event totals		5.09	0.00	0.00	178.06	

Application date	Application method	Precipitation 24 hours prior	Precipitation during application	Precipitation 24 hours following
04/16/2023	Surface (irrigation)	No precipitation	No precipitation	No precipitation

Source description	Material type	N (lbs/acre)	P (lbs/acre)	K (lbs/acre)	Salt (lbs/acre)	Amount
Fertilizer	Liquid commercial fertilizer	120.00	0.00	0.00	0.00	
Turlock Irrigation District	Surface water	2.92	0.00	0.00	102.07	6,309,648.00 *gal*
Application event totals		122.92	0.00	0.00	102.07	

Dairy Field - 05/29/2023: Corn, silage

Field name: Dairy Field

Crop: Corn, silage — Plant date: 05/29/2023

Application date	Application method	Precipitation 24 hours prior	Precipitation during application	Precipitation 24 hours following
05/19/2023	Surface (irrigation)	No precipitation	No precipitation	No precipitation

Source description	Material type	N (lbs/acre)	P (lbs/acre)	K (lbs/acre)	Salt (lbs/acre)	Amount
Turlock Irrigation District	Surface water	4.47	0.00	0.00	156.51	9,675,363.00 *gal*
Application event totals		4.47	0.00	0.00	156.51	

Dairy Field - 05/29/2023: Corn, silage

Application date	Application method	Precipitation 24 hours prior	Precipitation during application	Precipitation 24 hours following
06/30/2023	Surface (irrigation)	No precipitation	No precipitation	No precipitation

Source description	Material type	N (lbs/acre)	P (lbs/acre)	K (lbs/acre)	Salt (lbs/acre)	Amount
Fertilizer	Liquid commercial fertilizer	20.00	0.00	0.00	0.00	
Turlock Irrigation District	Surface water	4.33	0.00	0.00	151.71	9,378,318.00 *gal*
Application event totals		24.33	0.00	0.00	151.71	

Application date	Application method	Precipitation 24 hours prior	Precipitation during application	Precipitation 24 hours following
07/14/2023	Surface (irrigation)	No precipitation	No precipitation	No precipitation

Source description	Material type	N (lbs/acre)	P (lbs/acre)	K (lbs/acre)	Salt (lbs/acre)	Amount
Fertilizer	Liquid commercial fertilizer	50.00	0.00	0.00	0.00	
Turlock Irrigation District	Surface water	4.00	0.00	0.00	140.08	8,659,555.00 *gal*
Application event totals		54.00	0.00	0.00	140.08	

Application date	Application method	Precipitation 24 hours prior	Precipitation during application	Precipitation 24 hours following
07/29/2023	Surface (irrigation)	No precipitation	No precipitation	No precipitation

Source description	Material type	N (lbs/acre)	P (lbs/acre)	K (lbs/acre)	Salt (lbs/acre)	Amount
Fertilizer	Liquid commercial fertilizer	50.00	0.00	0.00	0.00	
Turlock Irrigation District	Surface water	2.85	0.00	0.00	99.67	6,161,158.00 *gal*
Application event totals		52.85	0.00	0.00	99.67	

Application date	Application method	Precipitation 24 hours prior	Precipitation during application	Precipitation 24 hours following
08/12/2023	Surface (irrigation)	No precipitation	No precipitation	No precipitation

Source description	Material type	N (lbs/acre)	P (lbs/acre)	K (lbs/acre)	Salt (lbs/acre)	Amount
Fertilizer	Liquid commercial fertilizer	50.00	0.00	0.00	0.00	
Turlock Irrigation District	Surface water	2.63	0.00	0.00	92.22	5,701,122.00 *gal*
Application event totals		52.63	0.00	0.00	92.22	

Application date	Application method	Precipitation 24 hours prior	Precipitation during application	Precipitation 24 hours following
08/25/2023	Surface (irrigation)	No precipitation	No precipitation	No precipitation

Source description	Material type	N (lbs/acre)	P (lbs/acre)	K (lbs/acre)	Salt (lbs/acre)	Amount
Fertilizer	Liquid commercial fertilizer	50.00	0.00	0.00	0.00	
Turlock Irrigation District	Surface water	2.01	0.00	0.00	70.32	4,347,015.00 *gal*
Application event totals		52.01	0.00	0.00	70.32	

Dairy Field - 05/29/2023: Corn, silage

Application date	Application method	Precipitation 24 hours prior	Precipitation during application	Precipitation 24 hours following
09/08/2023	Surface (irrigation)	No precipitation	No precipitation	No precipitation

Source description	Material type	N (lbs/acre)	P (lbs/acre)	K (lbs/acre)	Salt (lbs/acre)	Amount
Turlock Irrigation District	Surface water	2.69	0.00	0.00	94.13	5,819,015.00 *gal*
Application event totals		2.69	0.00	0.00	94.13	

B. NUTRIENT BUDGET

Dairy Field - 10/25/2022: Oats, silage-soft dough

Field name: Dairy Field Crop: Oats, silage-soft dough Plant date: 10/25/2022

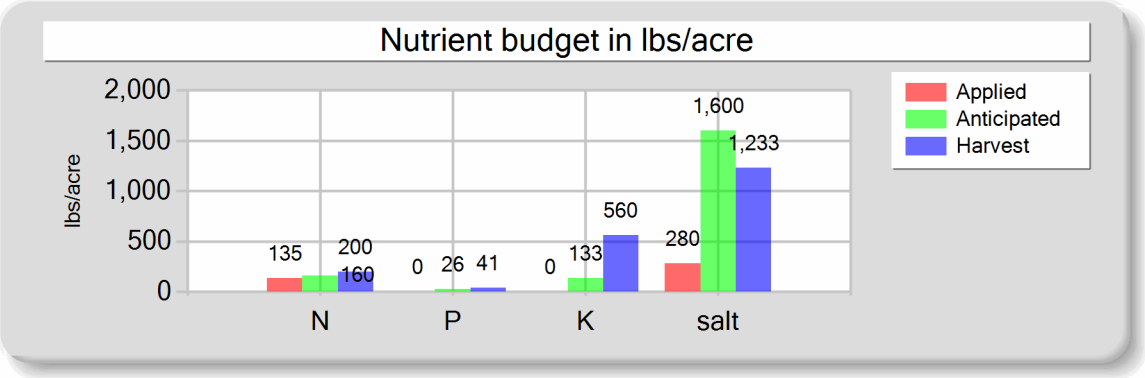

	Total N (lbs/acre)	Total P (lbs/acre)	Total K (lbs/acre)	Total salt (lbs/acre)
Existing soil nutrient content	0.00	0.00	0.00	0.00
Plowdown credit	0.00	0.00	0.00	0.00
Commercial fertilizer / Other	120.00	0.00	0.00	0.00
Dry manure	0.00	0.00	0.00	0.00
Process wastewater	0.00	0.00	0.00	0.00
Fresh water	8.00	0.00	0.00	280.13
Atmospheric deposition	7.00	0.00	0.00	0.00
Total nutrients applied	135.00	0.00	0.00	280.13
Anticipated crop nutrient removal	160.00	25.60	132.80	1,600.00
Actual crop nutrient removal	199.69	41.48	559.90	1,232.82
Nutrient balance	-64.69	-41.48	-559.90	-952.69
Applied to removed ratio	0.68	0.00	0.00	0.23

Fresh water applied	
17,317,058.00	*gallons*
637.73	*acre-inches*
9.81	*inches/acre*

Process wastewater applied	
0.00	*gallons*
0.00	*acre-inches*
0.00	*inches/acre*

Total harvests for the crop	
1	*harvests*

Dairy Field - 05/29/2023: Corn, silage

Field name: Dairy Field Crop: Corn, silage Plant date: 05/29/2023

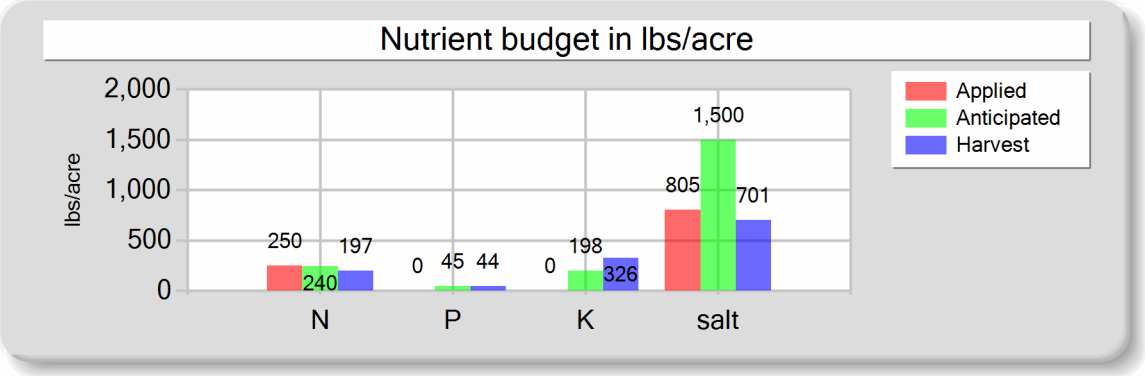

	Total N (lbs/acre)	Total P (lbs/acre)	Total K (lbs/acre)	Total salt (lbs/acre)
Existing soil nutrient content	0.00	0.00	0.00	0.00
Plowdown credit	0.00	0.00	0.00	0.00
Commercial fertilizer / Other	220.00	0.00	0.00	0.00
Dry manure	0.00	0.00	0.00	0.00
Process wastewater	0.00	0.00	0.00	0.00
Fresh water	22.99	0.00	0.00	804.64
Atmospheric deposition	7.00	0.00	0.00	0.00
Total nutrients applied	249.99	0.00	0.00	804.64
Anticipated crop nutrient removal	240.00	45.00	198.00	1,500.00
Actual crop nutrient removal	196.98	43.94	325.78	700.81
Nutrient balance	53.01	-43.94	-325.78	103.83
Applied to removed ratio	1.27	0.00	0.00	1.15

Fresh water applied	
49,741,546.00	*gallons*
1,831.81	*acre-inches*
28.18	*inches/acre*

Process wastewater applied	
0.00	*gallons*
0.00	*acre-inches*
0.00	*inches/acre*

Total harvests for the crop	
1	*harvests*

NUTRIENT ANALYSES

A. MANURE ANALYSES

No manure analyses entered.

B. PROCESS WASTEWATER ANALYSES

No process wastewater analyses entered.

C. FRESH WATER ANALYSES

Turlock Irrigation District

TID info

Sample description: TID info

Sample date: 08/05/2023 Source of analysis: Lab analysis

	Total N (mg/L)	NH4-N (mg/L)	Nitrate-N (mg/L)	Calcium (mg/L)	Magnesium (mg/L)	Sodium (mg/L)	Bicarbonate (mg/L)	Carbonate (mg/L)	Sulfate (mg/L)	Chloride (mg/L)	EC (µmhos/cm)	TDS (mg/L)
Value	3.60	0.20	3.40								210.00	126
DL	0.10	0.10	0.10								20.00	10

D. SOIL ANALYSES

No soil analyses entered.

E. PLANT TISSUE ANALYSES

Dairy Field - 10/25/2022: Oats, silage-soft dough

T3142015

Sample and source description: T3142015

Sample date: 05/07/2023 Source of analysis: Lab analysis Method of reporting: Dry-weight

Moisture: 55.6 %

	Total N (mg/kg)	Total P (mg/kg)	Total K (mg/kg)	Total salt (mg/kg)	TFS (%)
Value	15,550.00	3,230.00	43,600.00		9.60
DL	100.00	100.00	100.00		0.10

Dairy Field - 05/29/2023: Corn, silage

T3275038A

Sample and source description: T3275038A

Sample date: 10/02/2023 Source of analysis: Lab analysis Method of reporting: Dry-weight

Moisture: 68.8 %

	Total N (mg/kg)	Total P (mg/kg)	Total K (mg/kg)	Total salt (mg/kg)	TFS (%)
Value	10,400.00	2,320.00	17,200.00		3.70
DL	100.00	100.00	100.00		0.10

F. SUBSURFACE (TILE) DRAINAGE ANALYSES

No subsurface (tile) drainage analyses entered.

NUTRIENT APPLICATIONS, POTENTIAL REMOVAL, AND BALANCE

A. SUMMARY OF NUTRIENT APPLICATIONS, POTENTIAL REMOVAL, AND BALANCE

	Total N (lbs)	Total P (lbs)	Total K (lbs)	Total salt (lbs)
Existing soil nutrient content	0.00	0.00	0.00	0.00
Plowdown credit	0.00	0.00	0.00	0.00
Commercial fertilizer / Other	22,100.00	0.00	0.00	0.00
Dry manure	0.00	0.00	0.00	0.00
Process wastewater	0.00	0.00	0.00	0.00
Fresh water	2,014.57	0.00	0.00	70,510.11
Atmospheric deposition	910.00	0.00	0.00	0.00
Total nutrients applied	25,024.57	0.00	0.00	70,510.11
Anticipated crop nutrient removal	26,000.00	4,589.00	21,502.00	201,500.00
Actual crop nutrient removal	25,783.88	5,552.42	57,569.61	125,685.74
Nutrient balance	-759.30	-5,552.42	-57,569.61	-55,175.63
Applied to removed ratio	0.97	0.00	0.00	0.56

B. POUNDS OF NUTRIENT APPLIED VS. CROP REMOVAL

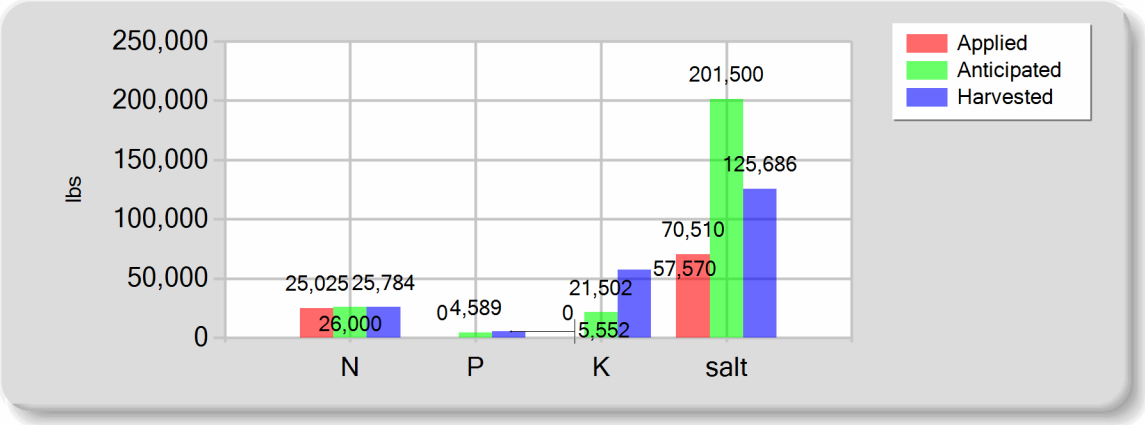

C. POUNDS OF NUTRIENT APPLIED BY MATERIAL TYPE

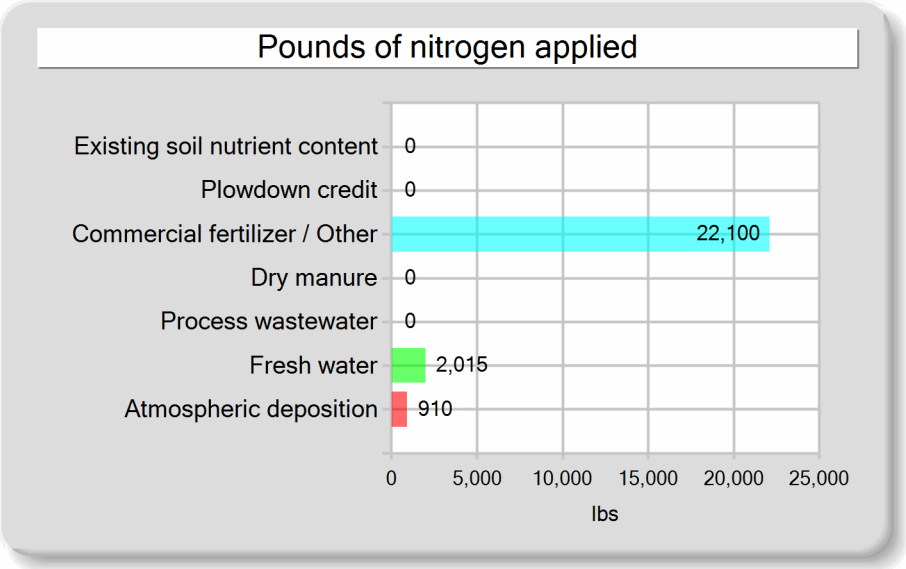

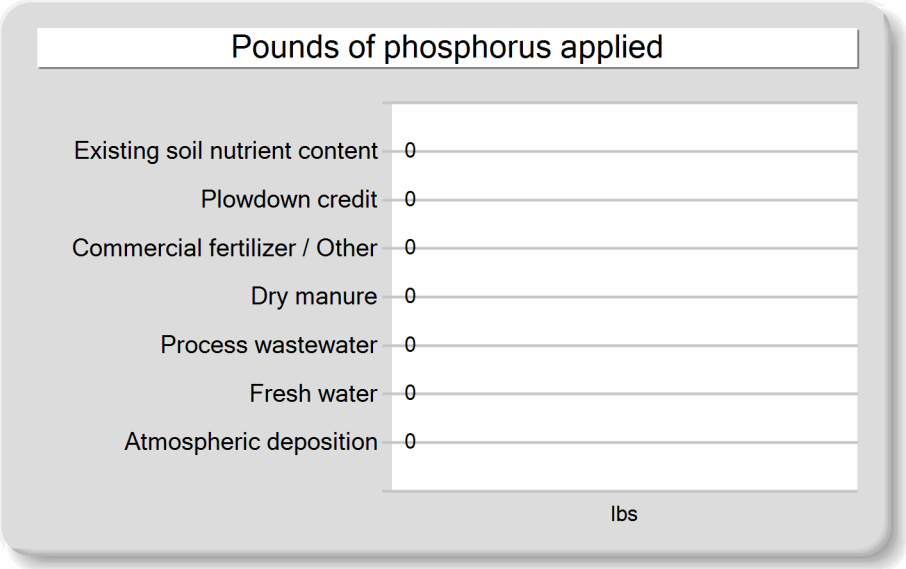

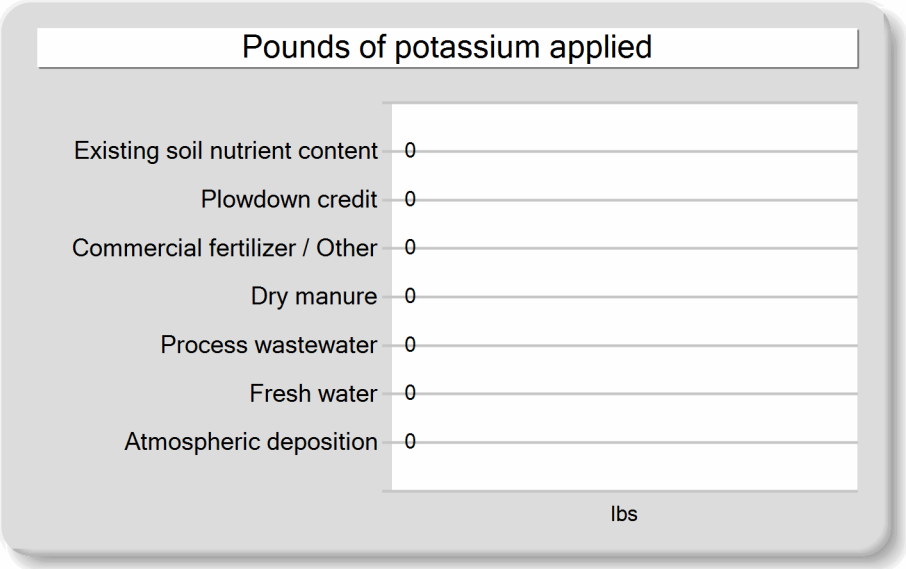

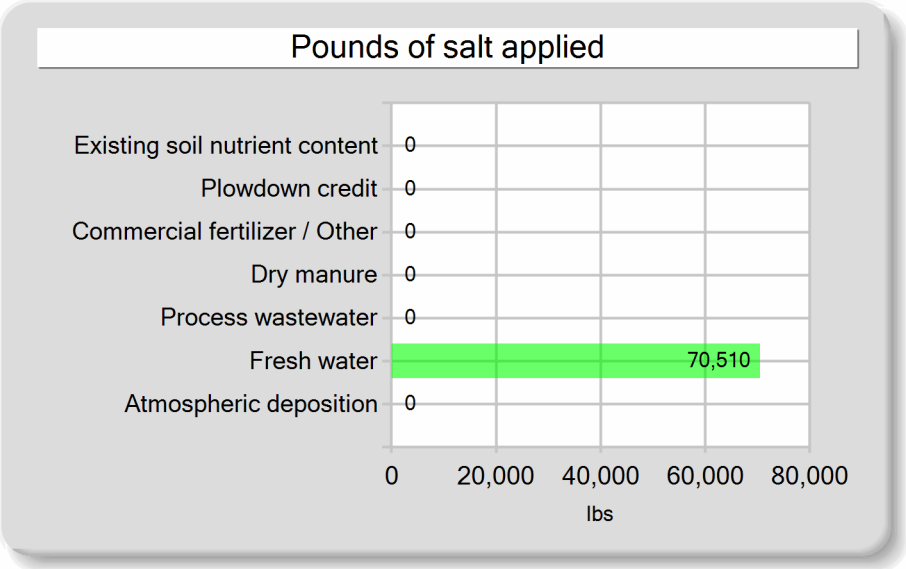

EXCEPTION REPORTING

A. MANURE, PROCESS WASTEWATER, AND OTHER DAIRY WASTE DISCHARGES

The following is a summary of all manure and process wastewater discharges from the production area to surface water or to land areas (land application areas or otherwise) when not in accordance with the facility's Nutrient Management Plan.

No manure or process wastewater discharges occurred during the reporting period.

B. STORM WATER DISCHARGES

The following is a summary of all storm water discharges from the production area to surface water during the reporting period when not in accordance with the facility 's Nutrient Management Plan.

No stormwater discharges occurred during the reporting period.

C. LAND APPLICATION AREA TO SURFACE WATER DISCHARGES

The following is a summary of all discharges from the land application area to surface water that have occurred during the reporting period when not in accordance with the facility's Nutrient Management Plan.

No land application area to surface water discharges occurred during the reporting period.

NUTRIENT MANAGEMENT PLAN AND EXPORT AGREEMENT STATEMENTS

A. NUTRIENT MANAGEMENT PLAN STATEMENTS

Was the facility's NMP updated in the reporting period?	No
Was the facility's NMP developed by a certified nutrient management planner (specialist) as specified in Attachment C of the General Order?	Yes
Was the facility's NMP approved by a certified nutrient management planner (specialist) as specified in Attachment C of the General Order?	Yes

B. EXPORT AGREEMENT STATEMENT

Are there any written agreements with third parties to receive manure or process wastewater that are new or were revised within the reporting period?	No

ADDITIONAL NOTES

A. NOTES

No notes entered for this annual report.

CERTIFICATION

A. OWNER AND/OR OPERATOR CERTIFICATION

I certify under penalty of law that I have personally examined and am familiar with the information submitted in this document and all attachments and that, based on my inquiry of those individuals immediately responsible for obtaining the information, I believe that the information is true, accurate, and complete. I am aware that there are significant penalties for submitting false information, including the possibility of fine and imprisonment.

Alvarino B. Azevedo

SIGNATURE OF OWNER OF FACILITY

SIGNATURE OF OPERATOR OF FACILITY

Alvarino Azevedo

PRINT OR TYPE NAME

SAME AS OWNER

PRINT OR TYPE NAME

5/27/2024

DATE

DATE

ATTACHMENTS

A. REQUIRED ATTACHMENTS

The following lists the required documents that should be attached to the Annual Report when submitted .

Annual Dairy Facility Assessment
Provide an Annual Dairy Facility Assessment (an update to the Preliminary Dairy Facility Assessment in Attachment A) for each reporting period. On the PDFA Final page, click on the ADFA Report button to generate an ADFA report after updating information as needed .

Manure/Process Wastewater Tracking Manifests
Provide copies of all manure/process wastewater tracking manifests for the reporting period, signed by both the owner/operator and the hauler.

Corrective Actions Documents
Provide records documenting any corrective actions taken to correct deficiencies noted as a result of the inspections required in the Monitoring Requirements of the General Order. Deficiencies not corrected in 30 days must be accompanied by an explanation of the factors preventing immediate correction.

Groundwater Monitoring
Dischargers that monitor supply wells or subsurface (tile) drainage systems, or that have monitoring well systems must submit monitoring results as directed in the General Order, Groundwater Reporting Section starting on page MRP-13.

Storm Water Monitoring
Dischargers that are required to monitor storm water more frequently than required in the General Order must submit monitoring results as directed in the General Order, Storm Water Reporting Section on page MRP-14.

Denele Analytical, Inc.

865 South Kilroy Avenue Turlock, CA 95380
Phone (209) 634-9055 - Fax (209) 634-9057

40 N. East Street, Woodland, CA 95776
Phone (530) 666-9056 - Fax (530) 666-9058

www.denelelabs.com

Compliance Analysis Report

Customer
A & M Azevedo Dairy
5454 West Keyes Rd
Modesto, CA 95358

Grower

Consultant:
Paul Sousa

PURCHASE ORDER:
RECEIVED DATE: 12/21/23 11:25 AM
SUBMITTED BY: Maria
ANALYZED DATE: 12/21/23

Irrigation/ Ground Water (H1)
SOURCE: Well Water

NOTES: Temperature was above qualifying at 14.8c

Sample ID	Lab ID	Analyte	Method Ref	Result	Units
House 1	T3355001A	Electrical Conductivity (EC)	EPA 120.1 and	1.43	mmhos/cm
		Nitrate Nitrogen (NO3-N)	EPA 353.2	< 0.140	mg/L
House Well		Ammonia Nitrogen (NH3-N)	SM 4500-NH3 D,C	< 0.500	mg/L
		Soluble Salts (SALT-SOL)	Calculation	917	mg/L

Laboratory Quality Control	LCS %	MS %	MSD %	RPD %
Ammonia Nitrogen (NH3-N)	91.4	92.8 (T3355001A)	94.6 (T3355001A)	1.92
Electrical Conductivity (EC)	99.8			0.434
Nitrate Nitrogen (NO3-N)	104	12.7 (T3354012A)	13.9 (T3354012A)	8.73

The warranty of Denele Analytical is limited to the accuracy of the analyses of the samples as received. Denele Analytical assumes no responsibility for which the customer uses our test results, nor liability for any other warranties, express or implied. These terms and conditions shall supercede any conflicting terms and conditions submitted on customer purchase orders or other forms submitted for work.

ELAP Certificate No.: 2714

Denele Analytical, Inc.

865 South Kilroy Avenue Turlock, CA 95380
Phone (209) 634-9055 - Fax (209) 634-9057

40 N. East Street, Woodland, CA 95776
Phone (530) 666-9056 - Fax (530) 666-9058

www.denelelabs.com

Compliance Analysis Report

Customer
A & M Azevedo Dairy
5454 West Keyes Rd
Modesto, CA 95358

Grower

Consultant:
Paul Sousa

PURCHASE ORDER:
RECEIVED DATE: 12/21/23 11:25 AM
SUBMITTED BY: Maria
ANALYZED DATE: 12/21/23

Irrigation/ Ground Water (H1)
SOURCE: Well Water

NOTES: Temperature was above qualifying at 16.0c

Sample ID	Lab ID	Analyte	Method Ref	Result	Units
Dairy 2	T3355001B	Electrical Conductivity (EC)	EPA 120.1 and	2.52	mmhos/cm
		Nitrate Nitrogen (NO3-N)	EPA 353.2	57.0	mg/L
Field/ Irrigation Well		Ammonia Nitrogen (NH3-N)	SM 4500-NH3 D,C	< 0.500	mg/L
		Soluble Salts (SALT-SOL)	Calculation	1620	mg/L

Laboratory Quality Control	LCS %	MS %	MSD %	RPD %
Ammonia Nitrogen (NH3-N)	91.4	92.8 (T3355001A)	94.6 (T3355001A)	1.92
Electrical Conductivity (EC)	99.8			0.434
Nitrate Nitrogen (NO3-N)	104	12.7 (T3354012A)	13.9 (T3354012A)	8.73

The warranty of Denele Analytical is limited to the accuracy of the analyses of the samples as received. Denele Analytical assumes no responsibility for which the customer uses our test results, nor liability for any other warranties, express or implied. These terms and conditions shall supercede any conflicting terms and conditions submitted on customer purchase orders or other forms submitted for work.

ELAP Certificate No.: 2714

DENELE ANALYTICAL, INC.

865 S. KILROY
TURLOCK, CA 95380

PH# 209-634-9055 FAX# 209-634-9057

DAIRY COMPLIANCE

Client: AM Azevedo Dairy
Mailing address: 5454 W. Keyes Road
(not facility address) Modesto Ca 95358
Phone#: 209-564-1371

Authorized Copy Released To: Paulo Sousa

Sampled By:
Project ID:

ANALYSIS TO BE COMPLETED:

IRRIGATION/GROUND WATER
- H1 EC*, NO3-N, NH4-N*
- H6 EC, TN, TDS
- H7 Combination of H1 & H6
- H14 EC, NO3-N, NH4-N, Ca, Mg, Na, Bicarb Carb, SO4, Cl, TDS

PROCESS WASTE WATER
- H3 EC*, NH4-N, TKN, TP, K, TDS
- H4 EC*, NO3-N, NH4-N, TKN, TP, K, TDS
- H5 Ca, Mg, Na, Bicarb, Carb, SO4, Cl
- H8 Combination of H3 &H5
- H9 Combination of H4 &H5

TILE DRAIN
- H2 EC*, NO3-N, TP, NH4-N*, TDS

** Required Field Measurement*

___ (Check here if performed)

DISCHARGE WATER
- E1 EC*, Temp*, pH*, NO3-N, NH4-N, TKN, TP, K, TDS, Dissolved Oxygen*, BOD 5, TSS, Total & Fecal Coliforms
- E2 EC,* Temp*, pH*, NO3-N, NH4-N*, Turbidity, TP, Dissolved Oxygen*, Total & Fecal Coliforms
- E3 EC*, Temp*, pH*, NO3-N, NH4-N*, TP, Total & Fecal Coliforms
- E4 EC*, Temp*, pH*, NO3-N, NH4-N*, Turbidity, TP, Total & Fecal Coliform

MANURE
- M1 % Moisture
- M3 TN TP, K, % Moisture
- M4 Ca, Mg, Na, Bicarb, Carb, SO4, Cl, Ash
- M7 Combination of M3 & M4

PLANT TISSUE
- F18 % Moisture, Ash, TN, P, K, DM and as received
- F18+ % Moisture, Ash, TN, P, K, DM and as received (Package also includes NIR DCAD)
- F19+ % Moisture, TN (Package includes complete plant tissue analysis)

SOIL
- K3 Soluble Phosphorus
- K4 1ft NO3, Organic Matter
- K5 Pre-Plant (2ft NO3), Fall (1-2ft NO3), Fall (2-3ft NO3)
- K6 0-1ft EC, NO3, Soluble P, K, Organic Matter
- K7 Combination of K3 & K4
- K8 Combination of K3 & K5

	Date Collected	Time Collected	Sample ID	Description	Temp	Well Purge	Analysis: H1	H3	M3	F18	OTHER
1	12-21-23	11:00AM	House 1		14.8°C		✓				
2	12-21-23	11:00AM	Dairy 2		16.0°C		✓				
3											
4											
5											
6											
7											
8											
9											
10											

CHAIN OF CUSTODY RECORDING

	Signature	Company	Received Date & Time	Relinquished Date & Time	(LABORATORY USE ONLY) Logged in By:	LABORATORY NUMBER
1st	Maria C. Azevedo					
2nd		DENELE ANALYTICAL, INC.	12-21-23 11:25			T3355001

Required to be submitted to any agency? (YES / NO)