(CC) DAG

**Annual Report - General Order No. R5-2007-0035**
*Reporting period 01/01/2023 to 12/31/2023.*

DAIRY FACILITY INFORMATION

**A. NAME OF DAIRY OR BUSINESS OPERATING THE DAIRY:** Triangle S Dairy LLC

Physical address of dairy:

| Number and Street | City | County | Zip Code |
|---|---|---|---|
| 5600 W Palm AVE | Winton | Merced | 95388 |

Street and nearest cross street (if no address):

Date facility was originally placed in operation: 08/01/1969

Regional Water Quality Control Board Basin Plan designation: San Joaquin River Basin

County Assessor Parcel Number(s) for dairy facility:

0052-0040-0067-0000 0052-0090-0002-0000 0052-0090-0021-0000

**B. OPERATORS**

Sherman, Fred

Operator name: Sherman, Fred Telephone no.: (209) 358-9201 (Landline) (Cellular)

| Mailing Address Number and Street | City | State | Zip Code |
|---|---|---|---|
| 5600 W Palm AVE | Winton | CA | 95388 |

Sherman, Scot

Operator name: Sherman, Scot Telephone no.: (209) 358-9201 (Landline) (Cellular)

| Mailing Address Number and Street | City | State | Zip Code |
|---|---|---|---|
| 5600 W Palm AVE | Winton | CA | 95388 |

**This operator is responsible for paying permit fees.**

Sherman, Trent

Operator name: Sherman, Trent Telephone no.: (209) 358-9201 (Landline) (Cellular)

| Mailing Address Number and Street | City | State | Zip Code |
|---|---|---|---|
| 5600 W Palm AVE | Winton | CA | 95388 |

**C. OWNERS**

Sherman, Fred

| | | | |
|---|---|---|---|
| Legal owner name: Sherman, Fred | | Telephone no.: (209) 358-9201 | |
| | | Landline | Cellular |
| 5600 W Palm AVE | Winton | CA | 95388 |
| Mailing Address Number and Street | City | State | Zip Code |

Sherman, Scot

| | | | |
|---|---|---|---|
| Legal owner name: Sherman, Scot | | Telephone no.: (209) 358-9201 | |
| | | Landline | Cellular |
| 5600 W Palm AVE | Winton | CA | 95388 |
| Mailing Address Number and Street | City | State | Zip Code |

**This owner is responsible for paying permit fees.**

Sherman, Trent

| | | | |
|---|---|---|---|
| Legal owner name: Sherman, Trent | | Telephone no.: (209) 358-9201 | |
| | | Landline | Cellular |
| 5600 W Palm AVE | Winton | CA | 95388 |
| Mailing Address Number and Street | City | State | Zip Code |

AVAILABLE NUTRIENTS

## A. HERD INFORMATION

| | Milk Cows | Dry Cows | Bred Heifers (15-24 mo.) | Heifers (7-14 mo. to breeding) | Calves (4-6 mo.) | Calves (0-3 mo.) |
|---|---|---|---|---|---|---|
| Number open confinement | 0 | 0 | 385 | 340 | 0 | 0 |
| Number under roof | 980 | 190 | 0 | 0 | 140 | 218 |
| Maximum number | 990 | 190 | 390 | 350 | 140 | 220 |
| Average number | 980 | 185 | 380 | 350 | 135 | 215 |
| Avg live weight (lbs) | 1,420 | 1,520 | 1,020 | 620 | | |

Predominant milk cow breed: Holstein

Average milk production: 88 *pounds per cow per day*

## B. MANURE GENERATED

Total manure excreted by the herd: 38,409.08 *tons per reporting period*

Total nitrogen from manure: 476,664.87 *lbs per reporting period*

After ammonia losses (30% loss applied): 333,665.41 *lbs per reporting period*

Total phosphorus from manure: 78,064.49 *lbs per reporting period*

Total potassium from manure: 199,268.52 *lbs per reporting period*

Total salt from manure: 503,973.75 *lbs per reporting period*

## C. PROCESS WASTEWATER GENERATED

Process wastewater generated: 11,770,000 *gallons*

Total nitrogen generated: 73,734.08 *lbs*

Total phosphorus generated: 6,539.12 *lbs*

Total potassium generated: 112,398.81 *lbs*

Total salt generated: 765,652.08 *lbs*

| | | |
|---|---|---|
| | 11,170,000 | *gallons applied* |
| + | 600,000 | *gallons exported* |
| - | 0 | *gallons imported* |
| = | 11,770,000 | *gallons generated* |

## D. FRESH WATER SOURCES

| Source Description | Type |
|---|---|
| Irrigation Water T3130047E | Surface water |
| Surface Water T3313008B | Surface water |

## E. SUBSURFACE (TILE) DRAINAGE SOURCES

*No subsurface (tile) drainage sources entered.*

## F. NUTRIENT IMPORTS

*No dry manure nutrient imports entered.*

*No process wastewater nutrient imports entered.*

*No commercial or other nutrient imports entered.*

## G. NUTRIENT EXPORTS

| Date | Material type | Quantity | Reporting basis | Moisture (%) | Density (lbs/cu ft) | N (mg/kg) | P (mg/kg) | K (mg/kg) | Salt (mg/kg) | TFS (%) |
|---|---|---|---|---|---|---|---|---|---|---|
| 11/05/2023 | Compost | 1,800.00 *ton* | As-is | 19.7 | | 1.19 | 0.32 | 0.88 | | 0.00 |
| 11/10/2023 | Compost | 2,000.00 *ton* | As-is | 10.7 | | 10.70 | 2.11 | 0.36 | | 0.00 |
| 11/10/2023 | Compost | 1,300.00 *ton* | As-is | 19.7 | | 1.19 | 0.32 | 0.88 | | 0.00 |
| 11/27/2023 | Compost | 2,500.00 *ton* | As-is | 30.0 | | 0.93 | 0.41 | 1.01 | | 0.00 |

| Date | Material type | Quantity | Kjeldahl-N (mg/L) | Ammonium-N (mg/L) | Ammonia-N (mg/L) | Nitrate-N (mg/L) | P (mg/L) | K (mg/L) | EC (µmhos/cm) | TDS (mg/L) |
|---|---|---|---|---|---|---|---|---|---|---|
| 11/25/2023 | Process wastewater | 600,000.00 *gal* | 652.00 | 440.00 | 0.00 | 0.00 | 38.20 | 853.00 | | 5,100 |

| Material type | Total N (lbs) | Total P (lbs) | Total K (lbs) | Total salt (lbs) |
|---|---|---|---|---|
| Dry manure | 54.83 | 12.47 | 11.95 | 0.00 |
| Process wastewater | 3,264.56 | 191.27 | 4,270.97 | 25,535.70 |
| Total exports for all materials | 3,319.39 | 203.74 | 4,282.92 | 25,535.70 |

APPLICATION AREA

## A. LIST OF LAND APPLICATION AREAS

| Field name | Controlled acres | Cropable acres | Total harvests | Type of waste applied | Parcel number |
|---|---|---|---|---|---|
| Almond Orchard-Palm | 106 | 106 | 0 | none | 0052-0090-0021-0000 |
| Field 1 | 18 | 18 | 2 | process wastewater | 0052-0040-0067-0000 |
| Field 2 | 3 | 3 | 0 | none | 0052-0040-0067-0000 |
| Field 3 | 42 | 42 | 2 | process wastewater | 0052-0040-0067-0000 |
| Field 4 | 45 | 45 | 2 | process wastewater | 0052-0090-0002-0000 |
| Totals for areas that were used for application | 105 | 105 | 6 | | |
| Totals for areas that were not used for application | 109 | 109 | 0 | | |
| Land application area totals | 214 | 214 | 6 | | |

## B. CROPS AND HARVESTS

Field 1

Field name: Field 1

11/15/2022: Wheat, silage, boot stage

Crop: Wheat, silage, boot stage  Acres planted: 18  Plant date: 11/15/2022

| Harvest date | Yield | Reporting basis | Density (lbs/cu ft) | Moisture (%) | N (mg/kg) | P (mg/kg) | K (mg/kg) | Salt (mg/kg) | TFS (%) |
|---|---|---|---|---|---|---|---|---|---|
| 05/04/2023 | 328.00 *ton* | As-is | | 69.0 | 9,550.00 | 810.00 | 7,220.00 | | 0.00 |

| | Yield (tons/acre) | Total N (lbs/acre) | Total P (lbs/acre) | Total K (lbs/acre) | Salt (lbs/acre) |
|---|---|---|---|---|---|
| Anticipated harvest content | 18.50 | 296.00 | 51.80 | 222.00 | 0.00 |
| Total actual harvest content | 18.22 | 348.04 | 29.52 | 263.13 | 0.00 |

Field 1

06/15/2023: Corn, silage

Crop: Corn, silage — Acres planted: 18 — Plant date: 06/15/2023

| Harvest date | Yield | Reporting basis | Density (lbs/cu ft) | Moisture (%) | N (mg/kg) | P (mg/kg) | K (mg/kg) | Salt (mg/kg) | TFS (%) |
|---|---|---|---|---|---|---|---|---|---|
| 09/23/2023 | 542.00 *ton* | As-is | | 65.2 | 4,250.00 | 730.00 | 5,930.00 | | 0.00 |

| | Yield (tons/acre) | Total N (lbs/acre) | Total P (lbs/acre) | Total K (lbs/acre) | Salt (lbs/acre) |
|---|---|---|---|---|---|
| Anticipated harvest content | 33.00 | 264.00 | 49.50 | 217.80 | 0.00 |
| Total actual harvest content | 30.11 | 255.94 | 43.96 | 357.12 | 0.00 |

Field 3

Field name: Field 3

11/15/2022: Wheat, silage, boot stage

Crop: Wheat, silage, boot stage — Acres planted: 42 — Plant date: 11/15/2022

| Harvest date | Yield | Reporting basis | Density (lbs/cu ft) | Moisture (%) | N (mg/kg) | P (mg/kg) | K (mg/kg) | Salt (mg/kg) | TFS (%) |
|---|---|---|---|---|---|---|---|---|---|
| 05/04/2023 | 815.00 *ton* | As-is | | 70.0 | 5,820.00 | 840.00 | 7,160.00 | | 0.00 |

| | Yield (tons/acre) | Total N (lbs/acre) | Total P (lbs/acre) | Total K (lbs/acre) | Salt (lbs/acre) |
|---|---|---|---|---|---|
| Anticipated harvest content | 18.50 | 296.00 | 51.80 | 222.00 | 0.00 |
| Total actual harvest content | 19.40 | 225.87 | 32.60 | 277.88 | 0.00 |

06/15/2023: Corn, silage

Crop: Corn, silage — Acres planted: 42 — Plant date: 06/15/2023

| Harvest date | Yield | Reporting basis | Density (lbs/cu ft) | Moisture (%) | N (mg/kg) | P (mg/kg) | K (mg/kg) | Salt (mg/kg) | TFS (%) |
|---|---|---|---|---|---|---|---|---|---|
| 09/23/2023 | 1,360.00 *ton* | As-is | | 63.8 | 4,090.00 | 800.00 | 5,590.00 | | 0.00 |

| | Yield (tons/acre) | Total N (lbs/acre) | Total P (lbs/acre) | Total K (lbs/acre) | Salt (lbs/acre) |
|---|---|---|---|---|---|
| Anticipated harvest content | 33.00 | 264.00 | 49.50 | 217.80 | 0.00 |
| Total actual harvest content | 32.38 | 264.88 | 51.81 | 362.02 | 0.00 |

Field 4

Field name: Field 4

11/15/2022: Wheat, silage, boot stage

Crop: Wheat, silage, boot stage — Acres planted: 45 — Plant date: 11/15/2022

| Harvest date | Yield | Reporting basis | Density (lbs/cu ft) | Moisture (%) | N (mg/kg) | P (mg/kg) | K (mg/kg) | Salt (mg/kg) | TFS (%) |
|---|---|---|---|---|---|---|---|---|---|
| 05/04/2023 | 822.00 *ton* | As-is | | 67.6 | 5,280.00 | 790.00 | 7,000.00 | | 0.00 |

| | Yield (tons/acre) | Total N (lbs/acre) | Total P (lbs/acre) | Total K (lbs/acre) | Salt (lbs/acre) |
|---|---|---|---|---|---|
| Anticipated harvest content | 18.50 | 296.00 | 51.80 | 222.00 | 0.00 |
| Total actual harvest content | 18.27 | 192.90 | 28.86 | 255.73 | 0.00 |

06/15/2023: Corn, silage

Crop: Corn, silage — Acres planted: 45 — Plant date: 06/15/2023

| Harvest date | Yield | Reporting basis | Density (lbs/cu ft) | Moisture (%) | N (mg/kg) | P (mg/kg) | K (mg/kg) | Salt (mg/kg) | TFS (%) |
|---|---|---|---|---|---|---|---|---|---|
| 09/23/2023 | 1,320.00 *ton* | As-is | | 61.2 | 4,540.00 | 940.00 | 6,370.00 | | 0.00 |

| | Yield (tons/acre) | Total N (lbs/acre) | Total P (lbs/acre) | Total K (lbs/acre) | Salt (lbs/acre) |
|---|---|---|---|---|---|
| Anticipated harvest content | 33.00 | 264.00 | 49.50 | 217.80 | 0.00 |
| Total actual harvest content | 29.33 | 266.35 | 55.15 | 373.71 | 0.00 |

NUTRIENT BUDGET

## A. LAND APPLICATIONS

### Field 1 - 11/15/2022: Wheat, silage, boot stage

Field name: Field 1

Crop: Wheat, silage, boot stage — Plant date: 11/15/2022

| Application date | Application method | Precipitation 24 hours prior | Precipitation during application | Precipitation 24 hours following |
|---|---|---|---|---|
| 04/15/2023 | Surface (irrigation) | No precipitation | No precipitation | No precipitation |

| Source description | Material type | N (lbs/acre) | P (lbs/acre) | K (lbs/acre) | Salt (lbs/acre) | Amount |
|---|---|---|---|---|---|---|
| Irrigation Water T3130047E | Surface water | 0.00 | 0.00 | 0.00 | 0.00 | 2,700,000.00 *gal* |
| Application event totals | | 0.00 | 0.00 | 0.00 | 0.00 | |

| 04/15/2023 | Surface (irrigation) | No precipitation | No precipitation | No precipitation |
|---|---|---|---|---|

| Source description | Material type | N (lbs/acre) | P (lbs/acre) | K (lbs/acre) | Salt (lbs/acre) | Amount |
|---|---|---|---|---|---|---|
| T3130047D | Process wastewater | 480.17 | 43.25 | 736.77 | 5,043.07 | 1,370,000.00 *gal* |
| Application event totals | | 480.17 | 43.25 | 736.77 | 5,043.07 | |

### Field 1 - 06/15/2023: Corn, silage

Field name: Field 1

Crop: Corn, silage — Plant date: 06/15/2023

| Application date | Application method | Precipitation 24 hours prior | Precipitation during application | Precipitation 24 hours following |
|---|---|---|---|---|
| 07/10/2023 | Surface (irrigation) | No precipitation | No precipitation | No precipitation |

| Source description | Material type | N (lbs/acre) | P (lbs/acre) | K (lbs/acre) | Salt (lbs/acre) | Amount |
|---|---|---|---|---|---|---|
| Irrigation Water T3130047E | Surface water | 0.00 | 0.00 | 0.00 | 0.00 | 1,600,000.00 *gal* |
| Application event totals | | 0.00 | 0.00 | 0.00 | 0.00 | |

| 07/10/2023 | Surface (irrigation) | No precipitation | No precipitation | No precipitation |
|---|---|---|---|---|

| Source description | Material type | N (lbs/acre) | P (lbs/acre) | K (lbs/acre) | Salt (lbs/acre) | Amount |
|---|---|---|---|---|---|---|
| T3130047D | Process wastewater | 35.05 | 3.16 | 53.78 | 368.11 | 100,000.00 *gal* |
| Application event totals | | 35.05 | 3.16 | 53.78 | 368.11 | |

Field 1 - 06/15/2023: Corn, silage

| Application date | Application method | Precipitation 24 hours prior | Precipitation during application | Precipitation 24 hours following |
|---|---|---|---|---|
| 07/21/2023 | Surface (irrigation) | No precipitation | No precipitation | No precipitation |

| Source description | Material type | N (lbs/acre) | P (lbs/acre) | K (lbs/acre) | Salt (lbs/acre) | Amount |
|---|---|---|---|---|---|---|
| Irrigation Water T3130047E | Surface water | 0.00 | 0.00 | 0.00 | 0.00 | 2,100,000.00 *gal* |
| Application event totals | | 0.00 | 0.00 | 0.00 | 0.00 | |

| | | | | |
|---|---|---|---|---|
| 07/21/2023 | Surface (irrigation) | No precipitation | No precipitation | No precipitation |

| Source description | Material type | N (lbs/acre) | P (lbs/acre) | K (lbs/acre) | Salt (lbs/acre) | Amount |
|---|---|---|---|---|---|---|
| T3130047D | Process wastewater | 140.20 | 12.63 | 215.12 | 1,472.43 | 400,000.00 *gal* |
| Application event totals | | 140.20 | 12.63 | 215.12 | 1,472.43 | |

| | | | | |
|---|---|---|---|---|
| 08/02/2023 | Surface (irrigation) | No precipitation | No precipitation | No precipitation |

| Source description | Material type | N (lbs/acre) | P (lbs/acre) | K (lbs/acre) | Salt (lbs/acre) | Amount |
|---|---|---|---|---|---|---|
| Irrigation Water T3130047E | Surface water | 0.00 | 0.00 | 0.00 | 0.00 | 1,500,000.00 *gal* |
| Application event totals | | 0.00 | 0.00 | 0.00 | 0.00 | |

| | | | | |
|---|---|---|---|---|
| 08/02/2023 | Surface (irrigation) | No precipitation | No precipitation | No precipitation |

| Source description | Material type | N (lbs/acre) | P (lbs/acre) | K (lbs/acre) | Salt (lbs/acre) | Amount |
|---|---|---|---|---|---|---|
| T3130047D | Process wastewater | 70.10 | 6.31 | 107.56 | 736.21 | 200,000.00 *gal* |
| Application event totals | | 70.10 | 6.31 | 107.56 | 736.21 | |

| | | | | |
|---|---|---|---|---|
| 08/13/2023 | Surface (irrigation) | No precipitation | No precipitation | No precipitation |

| Source description | Material type | N (lbs/acre) | P (lbs/acre) | K (lbs/acre) | Salt (lbs/acre) | Amount |
|---|---|---|---|---|---|---|
| Irrigation Water T3130047E | Surface water | 0.00 | 0.00 | 0.00 | 0.00 | 1,600,000.00 *gal* |
| Application event totals | | 0.00 | 0.00 | 0.00 | 0.00 | |

| | | | | |
|---|---|---|---|---|
| 08/13/2023 | Surface (irrigation) | No precipitation | No precipitation | No precipitation |

| Source description | Material type | N (lbs/acre) | P (lbs/acre) | K (lbs/acre) | Salt (lbs/acre) | Amount |
|---|---|---|---|---|---|---|
| T3130047D | Process wastewater | 35.05 | 3.16 | 53.78 | 368.11 | 100,000.00 *gal* |
| Application event totals | | 35.05 | 3.16 | 53.78 | 368.11 | |

Field 1 - 06/15/2023: Corn, silage

| Application date | Application method | Precipitation 24 hours prior | Precipitation during application | Precipitation 24 hours following |
|---|---|---|---|---|
| 09/02/2023 | Surface (irrigation) | No precipitation | No precipitation | No precipitation |

| Source description | Material type | N (lbs/acre) | P (lbs/acre) | K (lbs/acre) | Salt (lbs/acre) | Amount |
|---|---|---|---|---|---|---|
| Irrigation Water T3130047E | Surface water | 0.00 | 0.00 | 0.00 | 0.00 | 1,000,000.00 *gal* |
| Application event totals | | 0.00 | 0.00 | 0.00 | 0.00 | |

| | | | | |
|---|---|---|---|---|
| 09/02/2023 | Surface (irrigation) | No precipitation | No precipitation | No precipitation |

| Source description | Material type | N (lbs/acre) | P (lbs/acre) | K (lbs/acre) | Salt (lbs/acre) | Amount |
|---|---|---|---|---|---|---|
| T3130047D | Process wastewater | 35.05 | 3.16 | 53.78 | 368.11 | 100,000.00 *gal* |
| Application event totals | | 35.05 | 3.16 | 53.78 | 368.11 | |

| | | | | |
|---|---|---|---|---|
| 09/20/2023 | Surface (irrigation) | No precipitation | No precipitation | No precipitation |

| Source description | Material type | N (lbs/acre) | P (lbs/acre) | K (lbs/acre) | Salt (lbs/acre) | Amount |
|---|---|---|---|---|---|---|
| Irrigation Water T3130047E | Surface water | 0.00 | 0.00 | 0.00 | 0.00 | 1,500,000.00 *gal* |
| Application event totals | | 0.00 | 0.00 | 0.00 | 0.00 | |

| | | | | |
|---|---|---|---|---|
| 09/20/2023 | Surface (irrigation) | No precipitation | No precipitation | No precipitation |

| Source description | Material type | N (lbs/acre) | P (lbs/acre) | K (lbs/acre) | Salt (lbs/acre) | Amount |
|---|---|---|---|---|---|---|
| T3130047D | Process wastewater | 35.05 | 3.16 | 53.78 | 368.11 | 100,000.00 *gal* |
| Application event totals | | 35.05 | 3.16 | 53.78 | 368.11 | |

Field 3 - 11/15/2022: Wheat, silage, boot stage

Field name: Field 3

Crop: Wheat, silage, boot stage

Plant date: 11/15/2022

| Application date | Application method | Precipitation 24 hours prior | Precipitation during application | Precipitation 24 hours following |
|---|---|---|---|---|
| 04/18/2023 | Surface (irrigation) | No precipitation | No precipitation | No precipitation |

| Source description | Material type | N (lbs/acre) | P (lbs/acre) | K (lbs/acre) | Salt (lbs/acre) | Amount |
|---|---|---|---|---|---|---|
| Irrigation Water T3130047E | Surface water | 0.00 | 0.00 | 0.00 | 0.00 | 8,000,000.00 *gal* |
| Application event totals | | 0.00 | 0.00 | 0.00 | 0.00 | |

Field 3 - 11/15/2022: Wheat, silage, boot stage

| Application date | Application method | Precipitation 24 hours prior | Precipitation during application | Precipitation 24 hours following |
|---|---|---|---|---|
| 04/18/2023 | Surface (irrigation) | No precipitation | No precipitation | No precipitation |

| Source description | Material type | N (lbs/acre) | P (lbs/acre) | K (lbs/acre) | Salt (lbs/acre) | Amount |
|---|---|---|---|---|---|---|
| T3130047D | Process wastewater | 300.42 | 27.06 | 460.96 | 3,155.20 | 2,000,000.00 *gal* |
| Application event totals | | 300.42 | 27.06 | 460.96 | 3,155.20 | |

Field 3 - 06/15/2023: Corn, silage

Field name: Field 3

Crop: Corn, silage

Plant date: 06/15/2023

| Application date | Application method | Precipitation 24 hours prior | Precipitation during application | Precipitation 24 hours following |
|---|---|---|---|---|
| 07/10/2023 | Surface (irrigation) | No precipitation | No precipitation | No precipitation |

| Source description | Material type | N (lbs/acre) | P (lbs/acre) | K (lbs/acre) | Salt (lbs/acre) | Amount |
|---|---|---|---|---|---|---|
| Irrigation Water T3130047E | Surface water | 0.00 | 0.00 | 0.00 | 0.00 | 3,400,000.00 *gal* |
| Application event totals | | 0.00 | 0.00 | 0.00 | 0.00 | |

| | | | | |
|---|---|---|---|---|
| 07/10/2023 | Surface (irrigation) | No precipitation | No precipitation | No precipitation |

| Source description | Material type | N (lbs/acre) | P (lbs/acre) | K (lbs/acre) | Salt (lbs/acre) | Amount |
|---|---|---|---|---|---|---|
| T3130047D | Process wastewater | 45.06 | 4.06 | 69.14 | 473.28 | 300,000.00 *gal* |
| Application event totals | | 45.06 | 4.06 | 69.14 | 473.28 | |

| | | | | |
|---|---|---|---|---|
| 07/21/2023 | Surface (irrigation) | No precipitation | No precipitation | No precipitation |

| Source description | Material type | N (lbs/acre) | P (lbs/acre) | K (lbs/acre) | Salt (lbs/acre) | Amount |
|---|---|---|---|---|---|---|
| Irrigation Water T3130047E | Surface water | 0.00 | 0.00 | 0.00 | 0.00 | 4,000,000.00 *gal* |
| Application event totals | | 0.00 | 0.00 | 0.00 | 0.00 | |

| | | | | |
|---|---|---|---|---|
| 07/21/2023 | Surface (irrigation) | No precipitation | No precipitation | No precipitation |

| Source description | Material type | N (lbs/acre) | P (lbs/acre) | K (lbs/acre) | Salt (lbs/acre) | Amount |
|---|---|---|---|---|---|---|
| T3130047D | Process wastewater | 45.06 | 4.06 | 69.14 | 473.28 | 300,000.00 *gal* |
| Application event totals | | 45.06 | 4.06 | 69.14 | 473.28 | |

Field 3 - 06/15/2023: Corn, silage

| Application date | Application method | Precipitation 24 hours prior | Precipitation during application | Precipitation 24 hours following |
|---|---|---|---|---|
| 08/05/2023 | Surface (irrigation) | No precipitation | No precipitation | No precipitation |

| Source description | Material type | N (lbs/acre) | P (lbs/acre) | K (lbs/acre) | Salt (lbs/acre) | Amount |
|---|---|---|---|---|---|---|
| Irrigation Water T3130047E | Surface water | 0.00 | 0.00 | 0.00 | 0.00 | 3,000,000.00 *gal* |
| Application event totals | | 0.00 | 0.00 | 0.00 | 0.00 | |

| | | | | |
|---|---|---|---|---|
| 08/05/2023 | Surface (irrigation) | No precipitation | No precipitation | No precipitation |

| Source description | Material type | N (lbs/acre) | P (lbs/acre) | K (lbs/acre) | Salt (lbs/acre) | Amount |
|---|---|---|---|---|---|---|
| T3130047D | Process wastewater | 60.08 | 5.41 | 92.19 | 631.04 | 400,000.00 *gal* |
| Application event totals | | 60.08 | 5.41 | 92.19 | 631.04 | |

| | | | | |
|---|---|---|---|---|
| 08/14/2023 | Surface (irrigation) | No precipitation | No precipitation | No precipitation |

| Source description | Material type | N (lbs/acre) | P (lbs/acre) | K (lbs/acre) | Salt (lbs/acre) | Amount |
|---|---|---|---|---|---|---|
| Irrigation Water T3130047E | Surface water | 0.00 | 0.00 | 0.00 | 0.00 | 2,000,000.00 *gal* |
| Application event totals | | 0.00 | 0.00 | 0.00 | 0.00 | |

| | | | | |
|---|---|---|---|---|
| 08/14/2023 | Surface (irrigation) | No precipitation | No precipitation | No precipitation |

| Source description | Material type | N (lbs/acre) | P (lbs/acre) | K (lbs/acre) | Salt (lbs/acre) | Amount |
|---|---|---|---|---|---|---|
| T3130047D | Process wastewater | 60.08 | 5.41 | 92.19 | 631.04 | 400,000.00 *gal* |
| Application event totals | | 60.08 | 5.41 | 92.19 | 631.04 | |

| | | | | |
|---|---|---|---|---|
| 09/04/2023 | Surface (irrigation) | No precipitation | No precipitation | No precipitation |

| Source description | Material type | N (lbs/acre) | P (lbs/acre) | K (lbs/acre) | Salt (lbs/acre) | Amount |
|---|---|---|---|---|---|---|
| Irrigation Water T3130047E | Surface water | 0.00 | 0.00 | 0.00 | 0.00 | 2,000,000.00 *gal* |
| Application event totals | | 0.00 | 0.00 | 0.00 | 0.00 | |

| | | | | |
|---|---|---|---|---|
| 09/04/2023 | Surface (irrigation) | No precipitation | No precipitation | No precipitation |

| Source description | Material type | N (lbs/acre) | P (lbs/acre) | K (lbs/acre) | Salt (lbs/acre) | Amount |
|---|---|---|---|---|---|---|
| T3130047D | Process wastewater | 75.11 | 6.77 | 115.24 | 788.80 | 500,000.00 *gal* |
| Application event totals | | 75.11 | 6.77 | 115.24 | 788.80 | |

Field 3 - 06/15/2023: Corn, silage

| Application date | Application method | Precipitation 24 hours prior | Precipitation during application | Precipitation 24 hours following |
|---|---|---|---|---|
| 09/21/2023 | Surface (irrigation) | No precipitation | No precipitation | No precipitation |

| Source description | Material type | N (lbs/acre) | P (lbs/acre) | K (lbs/acre) | Salt (lbs/acre) | Amount |
|---|---|---|---|---|---|---|
| Irrigation Water T3130047E | Surface water | 0.00 | 0.00 | 0.00 | 0.00 | 2,000,000.00 *gal* |
| Application event totals | | 0.00 | 0.00 | 0.00 | 0.00 | |

| | | | | |
|---|---|---|---|---|
| 09/21/2023 | Surface (irrigation) | No precipitation | No precipitation | No precipitation |

| Source description | Material type | N (lbs/acre) | P (lbs/acre) | K (lbs/acre) | Salt (lbs/acre) | Amount |
|---|---|---|---|---|---|---|
| T3130047D | Process wastewater | 75.11 | 6.77 | 115.24 | 788.80 | 500,000.00 *gal* |
| Application event totals | | 75.11 | 6.77 | 115.24 | 788.80 | |

Field 4 - 11/15/2022: Wheat, silage, boot stage

Field name: Field 4

Crop: Wheat, silage, boot stage Plant date: 11/15/2022

| Application date | Application method | Precipitation 24 hours prior | Precipitation during application | Precipitation 24 hours following |
|---|---|---|---|---|
| 04/18/2023 | Surface (irrigation) | No precipitation | No precipitation | No precipitation |

| Source description | Material type | N (lbs/acre) | P (lbs/acre) | K (lbs/acre) | Salt (lbs/acre) | Amount |
|---|---|---|---|---|---|---|
| T3130047D | Process wastewater | 259.36 | 23.36 | 397.96 | 2,723.99 | 1,850,000.00 *gal* |
| Application event totals | | 259.36 | 23.36 | 397.96 | 2,723.99 | |

| | | | | |
|---|---|---|---|---|
| 04/18/2023 | Surface (irrigation) | No precipitation | No precipitation | No precipitation |

| Source description | Material type | N (lbs/acre) | P (lbs/acre) | K (lbs/acre) | Salt (lbs/acre) | Amount |
|---|---|---|---|---|---|---|
| Irrigation Water T3130047E | Surface water | 0.00 | 0.00 | 0.00 | 0.00 | 9,000,000.00 *gal* |
| Application event totals | | 0.00 | 0.00 | 0.00 | 0.00 | |

Field 4 - 06/15/2023: Corn, silage

Field name: Field 4

Crop: Corn, silage Plant date: 06/15/2023

Field 4 - 06/15/2023: Corn, silage

| Application date | Application method | Precipitation 24 hours prior | Precipitation during application | Precipitation 24 hours following |
|---|---|---|---|---|
| 07/10/2023 | Surface (irrigation) | No precipitation | No precipitation | No precipitation |

| Source description | Material type | N (lbs/acre) | P (lbs/acre) | K (lbs/acre) | Salt (lbs/acre) | Amount |
|---|---|---|---|---|---|---|
| Irrigation Water T3130047E | Surface water | 0.00 | 0.00 | 0.00 | 0.00 | 3,000,000.00 *gal* |
| Application event totals | | 0.00 | 0.00 | 0.00 | 0.00 | |

| | | | | |
|---|---|---|---|---|
| 07/10/2023 | Surface (irrigation) | No precipitation | No precipitation | No precipitation |

| Source description | Material type | N (lbs/acre) | P (lbs/acre) | K (lbs/acre) | Salt (lbs/acre) | Amount |
|---|---|---|---|---|---|---|
| T3130047D | Process wastewater | 63.09 | 5.68 | 96.80 | 662.59 | 450,000.00 *gal* |
| Application event totals | | 63.09 | 5.68 | 96.80 | 662.59 | |

| | | | | |
|---|---|---|---|---|
| 07/21/2023 | Surface (irrigation) | No precipitation | No precipitation | No precipitation |

| Source description | Material type | N (lbs/acre) | P (lbs/acre) | K (lbs/acre) | Salt (lbs/acre) | Amount |
|---|---|---|---|---|---|---|
| Irrigation Water T3130047E | Surface water | 0.00 | 0.00 | 0.00 | 0.00 | 3,500,000.00 *gal* |
| Application event totals | | 0.00 | 0.00 | 0.00 | 0.00 | |

| | | | | |
|---|---|---|---|---|
| 07/21/2023 | Surface (irrigation) | No precipitation | No precipitation | No precipitation |

| Source description | Material type | N (lbs/acre) | P (lbs/acre) | K (lbs/acre) | Salt (lbs/acre) | Amount |
|---|---|---|---|---|---|---|
| T3130047D | Process wastewater | 56.08 | 5.05 | 86.05 | 588.97 | 400,000.00 *gal* |
| Application event totals | | 56.08 | 5.05 | 86.05 | 588.97 | |

| | | | | |
|---|---|---|---|---|
| 08/05/2023 | Surface (irrigation) | No precipitation | No precipitation | No precipitation |

| Source description | Material type | N (lbs/acre) | P (lbs/acre) | K (lbs/acre) | Salt (lbs/acre) | Amount |
|---|---|---|---|---|---|---|
| Irrigation Water T3130047E | Surface water | 0.00 | 0.00 | 0.00 | 0.00 | 3,100,000.00 *gal* |
| Application event totals | | 0.00 | 0.00 | 0.00 | 0.00 | |

| | | | | |
|---|---|---|---|---|
| 08/05/2023 | Surface (irrigation) | No precipitation | No precipitation | No precipitation |

| Source description | Material type | N (lbs/acre) | P (lbs/acre) | K (lbs/acre) | Salt (lbs/acre) | Amount |
|---|---|---|---|---|---|---|
| T3130047D | Process wastewater | 56.08 | 5.05 | 86.05 | 588.97 | 400,000.00 *gal* |
| Application event totals | | 56.08 | 5.05 | 86.05 | 588.97 | |

Field 4 - 06/15/2023: Corn, silage

| Application date | Application method | Precipitation 24 hours prior | Precipitation during application | Precipitation 24 hours following |
|---|---|---|---|---|
| 08/14/2023 | Surface (irrigation) | No precipitation | No precipitation | No precipitation |

| Source description | Material type | N (lbs/acre) | P (lbs/acre) | K (lbs/acre) | Salt (lbs/acre) | Amount |
|---|---|---|---|---|---|---|
| Irrigation Water T3130047E | Surface water | 0.00 | 0.00 | 0.00 | 0.00 | 2,000,000.00 *gal* |
| Application event totals | | 0.00 | 0.00 | 0.00 | 0.00 | |

| | | | | |
|---|---|---|---|---|
| 08/14/2023 | Surface (irrigation) | No precipitation | No precipitation | No precipitation |

| Source description | Material type | N (lbs/acre) | P (lbs/acre) | K (lbs/acre) | Salt (lbs/acre) | Amount |
|---|---|---|---|---|---|---|
| T3130047D | Process wastewater | 56.08 | 5.05 | 86.05 | 588.97 | 400,000.00 *gal* |
| Application event totals | | 56.08 | 5.05 | 86.05 | 588.97 | |

| | | | | |
|---|---|---|---|---|
| 09/04/2023 | Surface (irrigation) | No precipitation | No precipitation | No precipitation |

| Source description | Material type | N (lbs/acre) | P (lbs/acre) | K (lbs/acre) | Salt (lbs/acre) | Amount |
|---|---|---|---|---|---|---|
| Irrigation Water T3130047E | Surface water | 0.00 | 0.00 | 0.00 | 0.00 | 2,500,000.00 *gal* |
| Application event totals | | 0.00 | 0.00 | 0.00 | 0.00 | |

| | | | | |
|---|---|---|---|---|
| 09/04/2023 | Surface (irrigation) | No precipitation | No precipitation | No precipitation |

| Source description | Material type | N (lbs/acre) | P (lbs/acre) | K (lbs/acre) | Salt (lbs/acre) | Amount |
|---|---|---|---|---|---|---|
| T3130047D | Process wastewater | 56.08 | 5.05 | 86.05 | 588.97 | 400,000.00 *gal* |
| Application event totals | | 56.08 | 5.05 | 86.05 | 588.97 | |

| | | | | |
|---|---|---|---|---|
| 09/21/2023 | Surface (irrigation) | No precipitation | No precipitation | No precipitation |

| Source description | Material type | N (lbs/acre) | P (lbs/acre) | K (lbs/acre) | Salt (lbs/acre) | Amount |
|---|---|---|---|---|---|---|
| Irrigation Water T3130047E | Surface water | 0.00 | 0.00 | 0.00 | 0.00 | 2,000,000.00 *gal* |
| Application event totals | | 0.00 | 0.00 | 0.00 | 0.00 | |

| | | | | |
|---|---|---|---|---|
| 09/21/2023 | Surface (irrigation) | No precipitation | No precipitation | No precipitation |

| Source description | Material type | N (lbs/acre) | P (lbs/acre) | K (lbs/acre) | Salt (lbs/acre) | Amount |
|---|---|---|---|---|---|---|
| T3130047D | Process wastewater | 70.10 | 6.31 | 107.56 | 736.21 | 500,000.00 *gal* |
| Application event totals | | 70.10 | 6.31 | 107.56 | 736.21 | |

## B. NUTRIENT BUDGET

Field 1 - 11/15/2022: Wheat, silage, boot stage

Field name: Field 1 Crop: Wheat, silage, boot stage Plant date: 11/15/2022

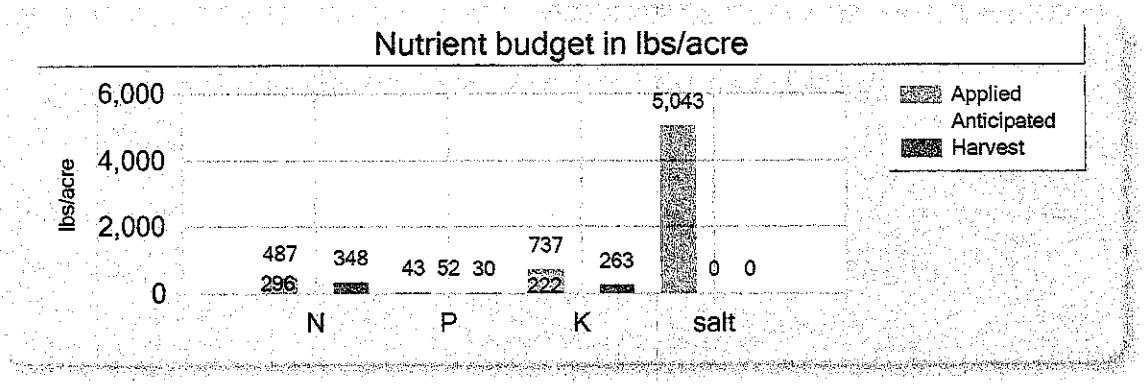


| | Total N (lbs/acre) | Total P (lbs/acre) | Total K (lbs/acre) | Total salt (lbs/acre) |
|---|---|---|---|---|
| Existing soil nutrient content | 0.00 | 0.00 | 0.00 | 0.00 |
| Plowdown credit | 0.00 | 0.00 | 0.00 | 0.00 |
| Commercial fertilizer / Other | 0.00 | 0.00 | 0.00 | 0.00 |
| Dry manure | 0.00 | 0.00 | 0.00 | 0.00 |
| Process wastewater | 480.17 | 43.25 | 736.77 | 5,043.07 |
| Fresh water | 0.00 | 0.00 | 0.00 | 0.00 |
| Atmospheric deposition | 7.00 | 0.00 | 0.00 | 0.00 |
| Total nutrients applied | 487.17 | 43.25 | 736.77 | 5,043.07 |
| Anticipated crop nutrient removal | 296.00 | 51.80 | 222.00 | 0.00 |
| Actual crop nutrient removal | 348.04 | 29.52 | 263.13 | 0.00 |
| Nutrient balance | 139.13 | 13.73 | 473.64 | 5,043.07 |
| Applied to removed ratio | 1.40 | 1.47 | 2.80 | 0.00 |

| Fresh water applied |
|---|
| 2,700,000.00 *gallons* |
| 99.43 *acre-inches* |
| 5.52 *inches/acre* |

| Process wastewater applied |
|---|
| 1,370,000.00 *gallons* |
| 50.45 *acre-inches* |
| 2.80 *inches/acre* |

| Total harvests for the crop |
|---|
| 1 *harvests* |

Field 1 - 06/15/2023: Corn, silage

Field name: Field 1 Crop: Corn, silage Plant date: 06/15/2023

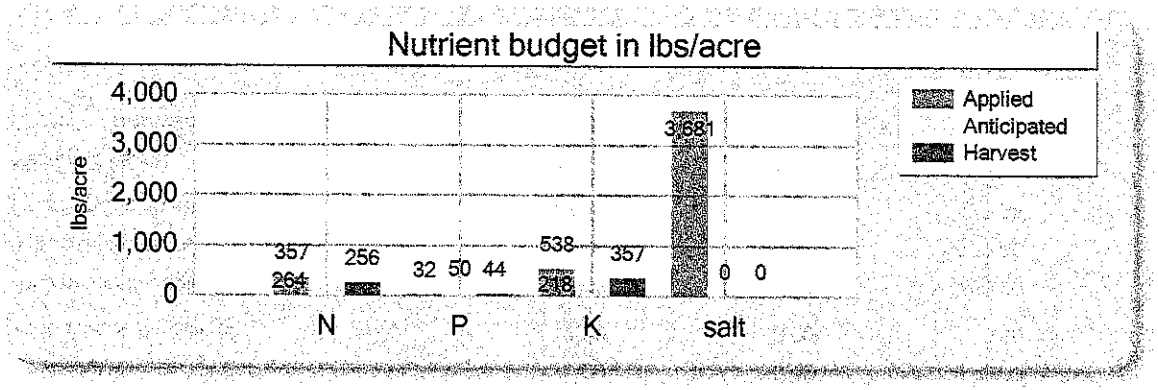


| | Total N (lbs/acre) | Total P (lbs/acre) | Total K (lbs/acre) | Total salt (lbs/acre) |
|---|---|---|---|---|
| Existing soil nutrient content | 0.00 | 0.00 | 0.00 | 0.00 |
| Plowdown credit | 0.00 | 0.00 | 0.00 | 0.00 |
| Commercial fertilizer / Other | 0.00 | 0.00 | 0.00 | 0.00 |
| Dry manure | 0.00 | 0.00 | 0.00 | 0.00 |
| Process wastewater | 350.49 | 31.57 | 537.79 | 3,681.07 |
| Fresh water | 0.00 | 0.00 | 0.00 | 0.00 |
| Atmospheric deposition | 7.00 | 0.00 | 0.00 | 0.00 |
| Total nutrients applied | 357.49 | 31.57 | 537.79 | 3,681.07 |
| Anticipated crop nutrient removal | 264.00 | 49.50 | 217.80 | 0.00 |
| Actual crop nutrient removal | 255.94 | 43.96 | 357.12 | 0.00 |
| Nutrient balance | 101.55 | -12.39 | 180.67 | 3,681.07 |
| Applied to removed ratio | 1.40 | 0.72 | 1.51 | 0.00 |

| Fresh water applied |
|---|
| 9,300,000.00 *gallons* |
| 342.49 *acre-inches* |
| 19.03 *inches/acre* |

| Process wastewater applied |
|---|
| 1,000,000.00 *gallons* |
| 36.83 *acre-inches* |
| 2.05 *inches/acre* |

| Total harvests for the crop |
|---|
| 1 *harvests* |

Field 3 - 11/15/2022: Wheat, silage, boot stage

Field name: Field 3 Crop: Wheat, silage, boot stage Plant date: 11/15/2022

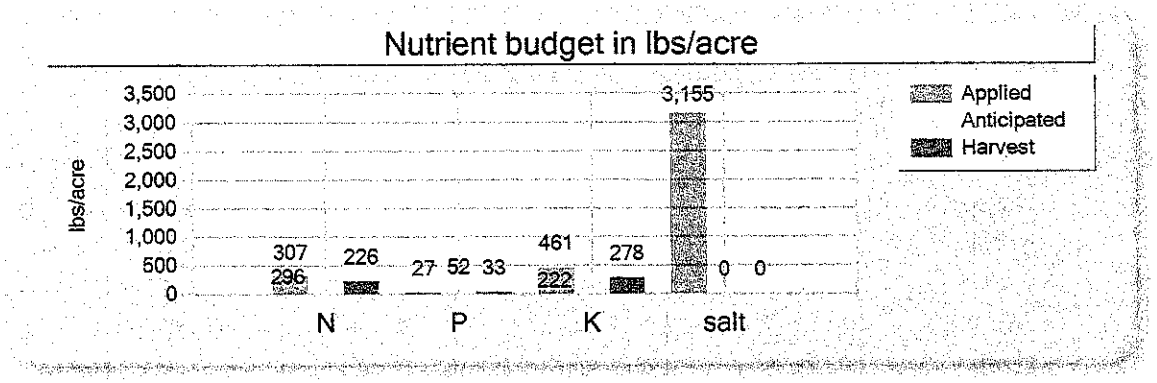


| | Total N (lbs/acre) | Total P (lbs/acre) | Total K (lbs/acre) | Total salt (lbs/acre) |
|---|---|---|---|---|
| Existing soil nutrient content | 0.00 | 0.00 | 0.00 | 0.00 |
| Plowdown credit | 0.00 | 0.00 | 0.00 | 0.00 |
| Commercial fertilizer / Other | 0.00 | 0.00 | 0.00 | 0.00 |
| Dry manure | 0.00 | 0.00 | 0.00 | 0.00 |
| Process wastewater | 300.42 | 27.06 | 460.96 | 3,155.20 |
| Fresh water | 0.00 | 0.00 | 0.00 | 0.00 |
| Atmospheric deposition | 7.00 | 0.00 | 0.00 | 0.00 |
| Total nutrients applied | 307.42 | 27.06 | 460.96 | 3,155.20 |
| Anticipated crop nutrient removal | 296.00 | 51.80 | 222.00 | 0.00 |
| Actual crop nutrient removal | 225.87 | 32.60 | 277.88 | 0.00 |
| Nutrient balance | 81.55 | -5.54 | 183.09 | 3,155.20 |
| Applied to removed ratio | 1.36 | 0.83 | 1.66 | 0.00 |

| Fresh water applied |
|---|
| 8,000,000.00 *gallons* |
| 294.61 *acre-inches* |
| 7.01 *inches/acre* |

| Process wastewater applied |
|---|
| 2,000,000.00 *gallons* |
| 73.65 *acre-inches* |
| 1.75 *inches/acre* |

| Total harvests for the crop |
|---|
| 1 *harvests* |

Field 3 - 06/15/2023: Corn, silage

Field name: Field 3 Crop: Corn, silage Plant date: 06/15/2023

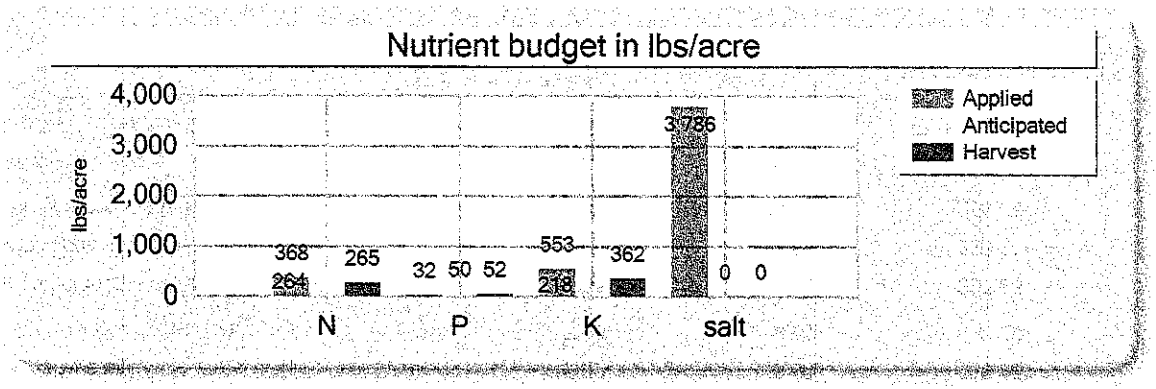


| | Total N (lbs/acre) | Total P (lbs/acre) | Total K (lbs/acre) | Total salt (lbs/acre) |
|---|---|---|---|---|
| Existing soil nutrient content | 0.00 | 0.00 | 0.00 | 0.00 |
| Plowdown credit | 0.00 | 0.00 | 0.00 | 0.00 |
| Commercial fertilizer / Other | 0.00 | 0.00 | 0.00 | 0.00 |
| Dry manure | 0.00 | 0.00 | 0.00 | 0.00 |
| Process wastewater | 360.50 | 32.47 | 553.15 | 3,786.25 |
| Fresh water | 0.00 | 0.00 | 0.00 | 0.00 |
| Atmospheric deposition | 7.00 | 0.00 | 0.00 | 0.00 |
| Total nutrients applied | 367.50 | 32.47 | 553.15 | 3,786.25 |
| Anticipated crop nutrient removal | 264.00 | 49.50 | 217.80 | 0.00 |
| Actual crop nutrient removal | 264.88 | 51.81 | 362.02 | 0.00 |
| Nutrient balance | 102.63 | -19.34 | 191.14 | 3,786.25 |
| Applied to removed ratio | 1.39 | 0.63 | 1.53 | 0.00 |

| Fresh water applied |
|---|
| 16,400,000.00 *gallons* |
| 603.96 *acre-inches* |
| 14.38 *inches/acre* |

| Process wastewater applied |
|---|
| 2,400,000.00 *gallons* |
| 88.38 *acre-inches* |
| 2.10 *inches/acre* |

| Total harvests for the crop |
|---|
| 1 *harvests* |

Field 4 - 11/15/2022: Wheat, silage, boot stage

Field name: Field 4 Crop: Wheat, silage, boot stage Plant date: 11/15/2022

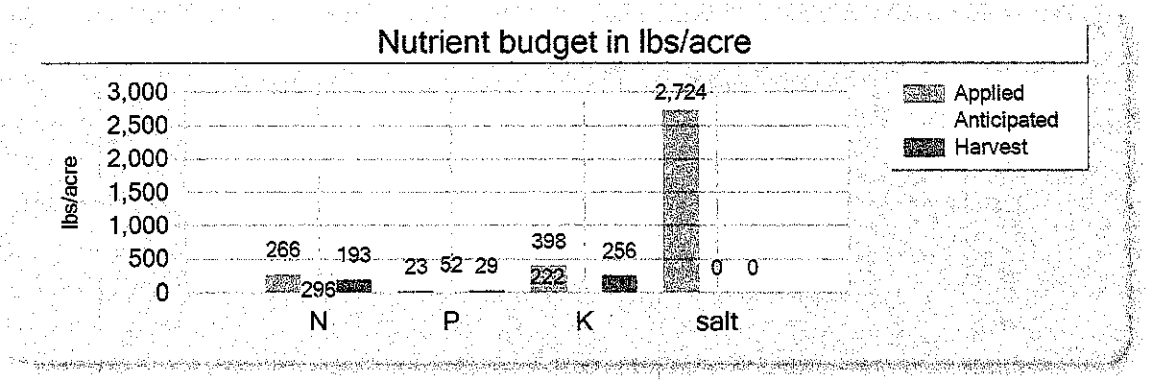


| | Total N (lbs/acre) | Total P (lbs/acre) | Total K (lbs/acre) | Total salt (lbs/acre) |
|---|---|---|---|---|
| Existing soil nutrient content | 0.00 | 0.00 | 0.00 | 0.00 |
| Plowdown credit | 0.00 | 0.00 | 0.00 | 0.00 |
| Commercial fertilizer / Other | 0.00 | 0.00 | 0.00 | 0.00 |
| Dry manure | 0.00 | 0.00 | 0.00 | 0.00 |
| Process wastewater | 259.36 | 23.36 | 397.96 | 2,723.99 |
| Fresh water | 0.00 | 0.00 | 0.00 | 0.00 |
| Atmospheric deposition | 7.00 | 0.00 | 0.00 | 0.00 |
| Total nutrients applied | 266.36 | 23.36 | 397.96 | 2,723.99 |
| Anticipated crop nutrient removal | 296.00 | 51.80 | 222.00 | 0.00 |
| Actual crop nutrient removal | 192.90 | 28.86 | 255.73 | 0.00 |
| Nutrient balance | 73.47 | -5.50 | 142.23 | 2,723.99 |
| Applied to removed ratio | 1.38 | 0.81 | 1.56 | 0.00 |

| Fresh water applied |
|---|
| 9,000,000.00 *gallons* |
| 331.44 *acre-inches* |
| 7.37 *inches/acre* |

| Process wastewater applied |
|---|
| 1,850,000.00 *gallons* |
| 68.13 *acre-inches* |
| 1.51 *inches/acre* |

| Total harvests for the crop |
|---|
| 1 *harvests* |

Field 4 - 06/15/2023: Corn, silage

Field name: Field 4 Crop: Corn, silage Plant date: 06/15/2023

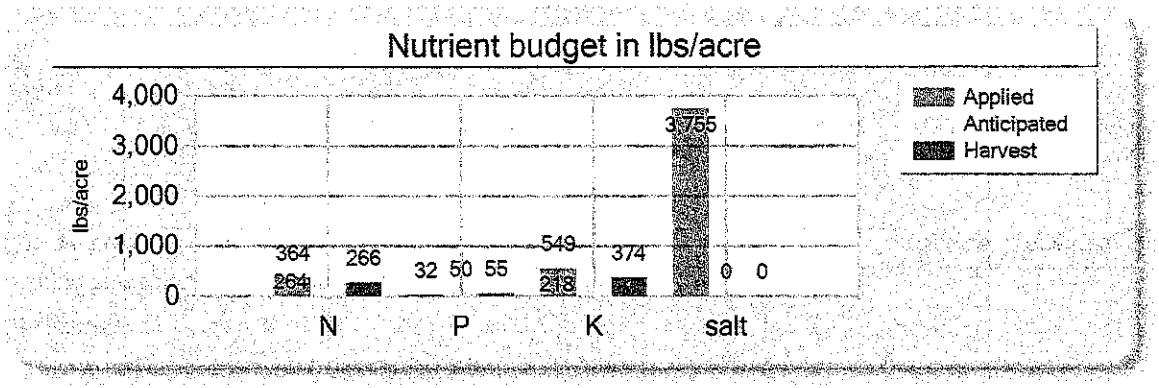


| | Total N (lbs/acre) | Total P (lbs/acre) | Total K (lbs/acre) | Total salt (lbs/acre) |
|---|---|---|---|---|
| Existing soil nutrient content | 0.00 | 0.00 | 0.00 | 0.00 |
| Plowdown credit | 0.00 | 0.00 | 0.00 | 0.00 |
| Commercial fertilizer / Other | 0.00 | 0.00 | 0.00 | 0.00 |
| Dry manure | 0.00 | 0.00 | 0.00 | 0.00 |
| Process wastewater | 357.50 | 32.20 | 548.54 | 3,754.69 |
| Fresh water | 0.00 | 0.00 | 0.00 | 0.00 |
| Atmospheric deposition | 7.00 | 0.00 | 0.00 | 0.00 |
| Total nutrients applied | 364.50 | 32.20 | 548.54 | 3,754.69 |
| Anticipated crop nutrient removal | 264.00 | 49.50 | 217.80 | 0.00 |
| Actual crop nutrient removal | 266.35 | 55.15 | 373.71 | 0.00 |
| Nutrient balance | 98.15 | -22.94 | 174.84 | 3,754.69 |
| Applied to removed ratio | 1.37 | 0.58 | 1.47 | 0.00 |

| Fresh water applied |
|---|
| 16,100,000.00 *gallons* |
| 592.91 *acre-inches* |
| 13.18 *inches/acre* |

| Process wastewater applied |
|---|
| 2,550,000.00 *gallons* |
| 93.91 *acre-inches* |
| 2.09 *inches/acre* |

| Total harvests for the crop |
|---|
| 1 *harvests* |

NUTRIENT ANALYSES

## A. MANURE ANALYSES

Bedding Compost T3313008F

Sample and source description: Bedding Compost T3313008F

Sample date: 11/09/2023 Material type: Compost Source of analysis: Lab analysis Method of reporting: As-is

Moisture: 10.7 %

| | Total N (mg/kg) | Total P (mg/kg) | Total K (mg/kg) | Calcium (mg/kg) | Magnesium (mg/kg) | Sodium (mg/kg) | Sulfur (mg/kg) | Chloride (mg/kg) | Total salt (mg/kg) | TFS (%) |
|---|---|---|---|---|---|---|---|---|---|---|
| **Value** | 2.11 | 0.36 | 2.51 | | | | | | | 0.00 |
| **DL** | 0.01 | 0.01 | 0.01 | | | | | | | 0.01 |

Palm Tree Compost T3313008G

Sample and source description: Palm Tree Compost T3313008G

Sample date: 11/09/2023 Material type: Compost Source of analysis: Lab analysis Method of reporting: As-is

Moisture: 30.0 %

| | Total N (mg/kg) | Total P (mg/kg) | Total K (mg/kg) | Calcium (mg/kg) | Magnesium (mg/kg) | Sodium (mg/kg) | Sulfur (mg/kg) | Chloride (mg/kg) | Total salt (mg/kg) | TFS (%) |
|---|---|---|---|---|---|---|---|---|---|---|
| **Value** | 0.93 | 0.41 | 1.01 | | | | | | | 0.00 |
| **DL** | 0.01 | 0.01 | 0.01 | | | | | | | 0.01 |

Tree Compost

Sample and source description: Tree Compost

Sample date: 11/09/2023 Material type: Compost Source of analysis: Lab analysis Method of reporting: As-is

Moisture: 19.7 %

| | Total N (mg/kg) | Total P (mg/kg) | Total K (mg/kg) | Calcium (mg/kg) | Magnesium (mg/kg) | Sodium (mg/kg) | Sulfur (mg/kg) | Chloride (mg/kg) | Total salt (mg/kg) | TFS (%) |
|---|---|---|---|---|---|---|---|---|---|---|
| **Value** | 1.19 | 0.32 | 0.88 | | | | | | | 0.00 |
| **DL** | 0.01 | 0.01 | 0.01 | | | | | | | 0.01 |

## B. PROCESS WASTEWATER ANALYSES

Lagoon T3130047D

Sample and source description: Lagoon T3130047D

Sample date: 05/10/2023 Material type: Process wastewater Source of analysis: Lab analysis pH: 0.00

| | Kjeldahl-N (mg/L) | NH4-N (mg/L) | NH3-N (mg/L) | Nitrate-N (mg/L) | Total P (mg/L) | Total K (mg/L) | Calcium (mg/L) | Magnes. (mg/L) | Sodium (mg/L) | Bicarb. (mg/L) | Carb. (mg/L) | Sulfate (mg/L) | Chloride (mg/L) | EC (µmhos/cm) | TDS (mg/L) |
|---|---|---|---|---|---|---|---|---|---|---|---|---|---|---|---|
| **Value** | 756.00 | 484.00 | 0.00 | 0.00 | 68.10 | 1,160.00 | | | | | | | | 9.72 | 7,940 |
| **DL** | 0.10 | 0.10 | 0.10 | 0.10 | 0.10 | 0.10 | | | | | | | | 0.10 | 1 |

Lagoon T3313008D

Sample and source description: Lagoon T3313008D

Sample date: 11/09/2023 Material type: Process wastewater Source of analysis: Lab analysis pH: 0.00

| | Kjeldahl-N (mg/L) | NH4-N (mg/L) | NH3-N (mg/L) | Nitrate-N (mg/L) | Total P (mg/L) | Total K (mg/L) | Calcium (mg/L) | Magnes. (mg/L) | Sodium (mg/L) | Bicarb. (mg/L) | Carb. (mg/L) | Sulfate (mg/L) | Chloride (mg/L) | EC (µmhos/cm) | TDS (mg/L) |
|---|---|---|---|---|---|---|---|---|---|---|---|---|---|---|---|
| **Value** | 652.00 | 440.00 | 0.00 | 0.00 | 38.20 | 853.00 | | | | | | | | 7.64 | 5,100 |
| **DL** | 0.10 | 0.10 | 0.10 | 0.10 | 0.10 | 0.10 | | | | | | | | 0.10 | 1 |

## C. FRESH WATER ANALYSES

Irrigation Water T3130047E

T3130047E

Sample description: T3130047E

Sample date: 05/10/2023 Source of analysis: Lab analysis

| | Total N (mg/L) | NH4-N (mg/L) | Nitrate-N (mg/L) | Calcium (mg/L) | Magnesium (mg/L) | Sodium (mg/L) | Bicarbonate (mg/L) | Carbonate (mg/L) | Sulfate (mg/L) | Chloride (mg/L) | EC (µmhos/cm) | TDS (mg/L) |
|---|---|---|---|---|---|---|---|---|---|---|---|---|
| **Value** | 0.00 | 0.00 | 0.00 | | | | | | | | 0.00 | 0 |
| **DL** | 0.10 | 0.10 | 0.10 | | | | | | | | 0.10 | 1 |

Surface Water T3313008B

Surface Water T3313008B

T3313008B

Sample description: T3313008B

Sample date: 11/09/2023 Source of analysis: Lab analysis

| | Total N (mg/L) | NH4-N (mg/L) | Nitrate-N (mg/L) | Calcium (mg/L) | Magnesium (mg/L) | Sodium (mg/L) | Bicarbonate (mg/L) | Carbonate (mg/L) | Sulfate (mg/L) | Chloride (mg/L) | EC (µmhos/cm) | TDS (mg/L) |
|---|---|---|---|---|---|---|---|---|---|---|---|---|
| **Value** | 0.00 | 0.00 | 0.00 | | | | | | | | 0.00 | 0 |
| **DL** | 0.10 | 0.10 | 0.10 | | | | | | | | 1.00 | 1 |

## D. SOIL ANALYSES

*No soil analyses entered.*

## E. PLANT TISSUE ANALYSES

Field 1 - 11/15/2022: Wheat, silage, boot stage

T3130047A

Sample and source description: T3130047A

Sample date: 05/10/2023 Source of analysis: Lab analysis Method of reporting: As-is

Moisture: 69.0 %

| | Total N (mg/kg) | Total P (mg/kg) | Total K (mg/kg) | Total salt (mg/kg) | TFS (%) |
|---|---|---|---|---|---|
| **Value** | 9,550.00 | 810.00 | 7,220.00 | | 0.00 |
| **DL** | 0.01 | 0.01 | 0.01 | | 0.01 |

Field 1 - 06/15/2023: Corn, silage

Field 1 - 06/15/2023: Corn, silage

T3271016A

Sample and source description: T3271016A

Sample date: 09/28/2023 Source of analysis: Lab analysis Method of reporting: As-is

Moisture: 65.2 %

| | Total N (mg/kg) | Total P (mg/kg) | Total K (mg/kg) | Total salt (mg/kg) | TFS (%) |
|---|---|---|---|---|---|
| **Value** | 4,250.00 | 730.00 | 5,930.00 | | 0.00 |
| **DL** | 0.01 | 0.01 | 0.01 | | 0.01 |

Field 3 - 11/15/2022: Wheat, silage, boot stage

T3130047B

Sample and source description: T3130047B

Sample date: 05/10/2023 Source of analysis: Lab analysis Method of reporting: As-is

Moisture: 70.0 %

| | Total N (mg/kg) | Total P (mg/kg) | Total K (mg/kg) | Total salt (mg/kg) | TFS (%) |
|---|---|---|---|---|---|
| **Value** | 5,820.00 | 840.00 | 7,160.00 | | 0.00 |
| **DL** | 0.01 | 0.01 | 0.01 | | 0.01 |

Field 3 - 06/15/2023: Corn, silage

T3271016B

Sample and source description: T3271016B

Sample date: 09/28/2023 Source of analysis: Lab analysis Method of reporting: As-is

Moisture: 63.8 %

| | Total N (mg/kg) | Total P (mg/kg) | Total K (mg/kg) | Total salt (mg/kg) | TFS (%) |
|---|---|---|---|---|---|
| **Value** | 4,090.00 | 800.00 | 5,590.00 | | 0.00 |
| **DL** | 0.01 | 0.01 | 0.01 | | 0.01 |

Field 4 - 11/15/2022: Wheat, silage, boot stage

T3130047C

Sample and source description: T3130047C

Sample date: 05/10/2023 Source of analysis: Lab analysis Method of reporting: As-is

Moisture: 67.6 %

| | Total N (mg/kg) | Total P (mg/kg) | Total K (mg/kg) | Total salt (mg/kg) | TFS (%) |
|---|---|---|---|---|---|
| **Value** | 5,280.00 | 790.00 | 7,000.00 | | 0.00 |
| **DL** | 0.01 | 0.01 | 0.01 | | 0.01 |

Field 4 - 06/15/2023: Corn, silage

T3271016C

Sample and source description: T3271016C

Sample date: 09/28/2023 Source of analysis: Lab analysis Method of reporting: As-is

Moisture: 61.2 %

| | Total N (mg/kg) | Total P (mg/kg) | Total K (mg/kg) | Total salt (mg/kg) | TFS (%) |
|---|---|---|---|---|---|
| **Value** | 4,540.00 | 940.00 | 6,370.00 | | 0.00 |
| **DL** | 0.01 | 0.01 | 0.01 | | 0.01 |

## F. SUBSURFACE (TILE) DRAINAGE ANALYSES

*No subsurface (tile) drainage analyses entered.*

NUTRIENT APPLICATIONS, POTENTIAL REMOVAL, AND BALANCE

## A. SUMMARY OF NUTRIENT APPLICATIONS, POTENTIAL REMOVAL, AND BALANCE

| | Total N (lbs) | Total P (lbs) | Total K (lbs) | Total salt (lbs) |
|---|---|---|---|---|
| Existing soil nutrient content | 0.00 | 0.00 | 0.00 | 0.00 |
| Plowdown credit | 0.00 | 0.00 | 0.00 | 0.00 |
| Commercial fertilizer / Other | 0.00 | 0.00 | 0.00 | 0.00 |
| Dry manure | 0.00 | 0.00 | 0.00 | 0.00 |
| Process wastewater | 70,469.52 | 6,347.85 | 108,127.83 | 740,116.38 |
| Fresh water | 0.00 | 0.00 | 0.00 | 0.00 |
| Atmospheric deposition | 1,470.00 | 0.00 | 0.00 | 0.00 |
| Total nutrients applied | 71,939.52 | 6,347.85 | 108,127.83 | 740,116.38 |
| Anticipated crop nutrient removal | 58,800.00 | 10,636.50 | 46,179.00 | 0.00 |
| Actual crop nutrient removal | 52,149.12 | 8,648.24 | 66,364.84 | 0.00 |
| Nutrient balance | 19,790.40 | -2,300.39 | 41,762.99 | 740,116.38 |
| Applied to removed ratio | 1.38 | 0.73 | 1.63 | 0.00 |

## B. POUNDS OF NUTRIENT APPLIED VS. CROP REMOVAL

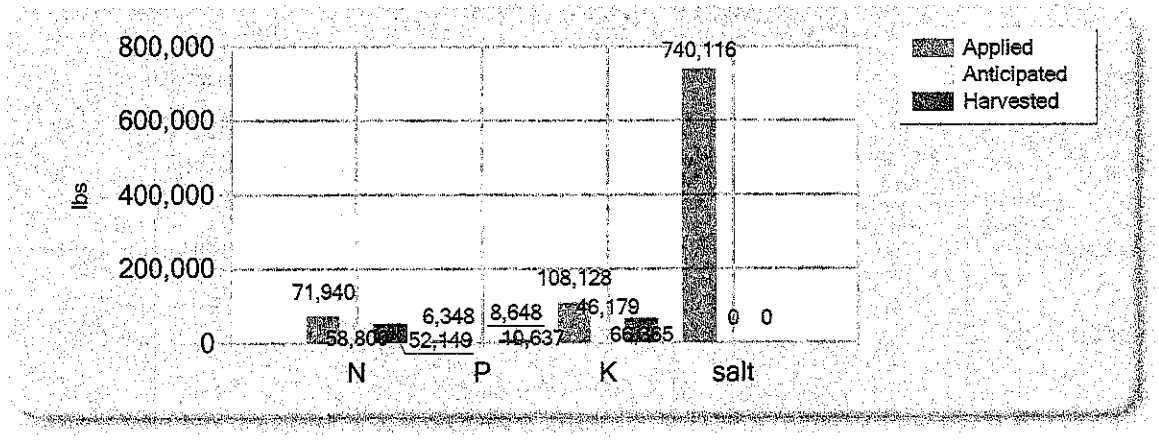

**C. POUNDS OF NUTRIENT APPLIED BY MATERIAL TYPE**

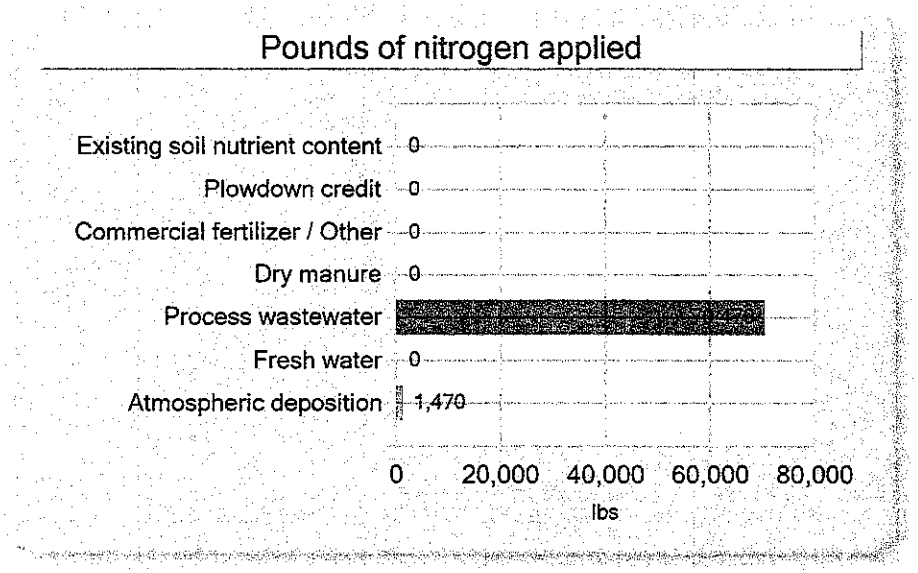


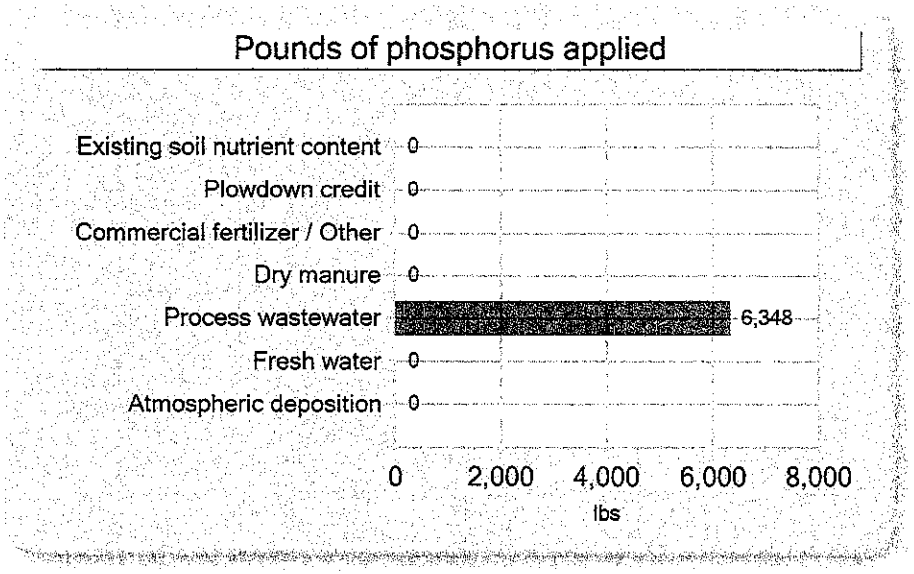


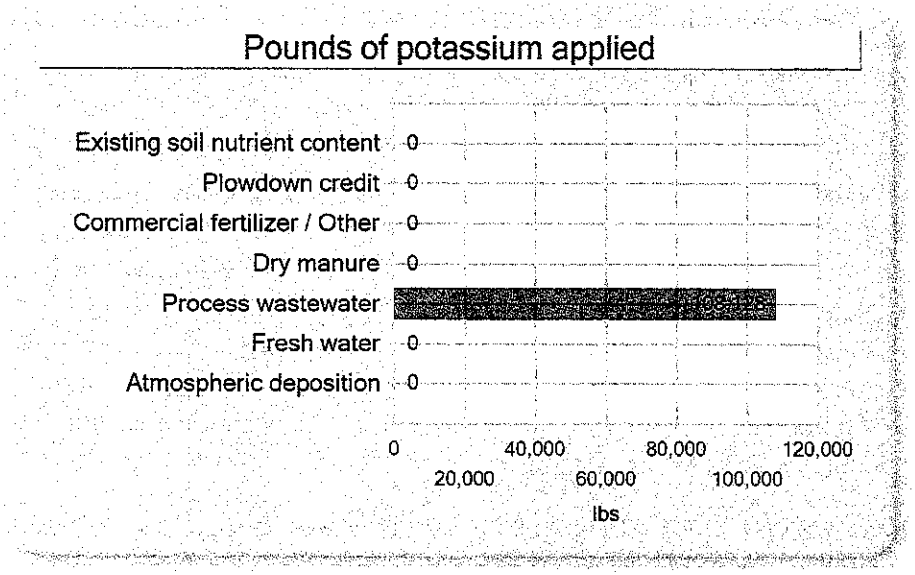


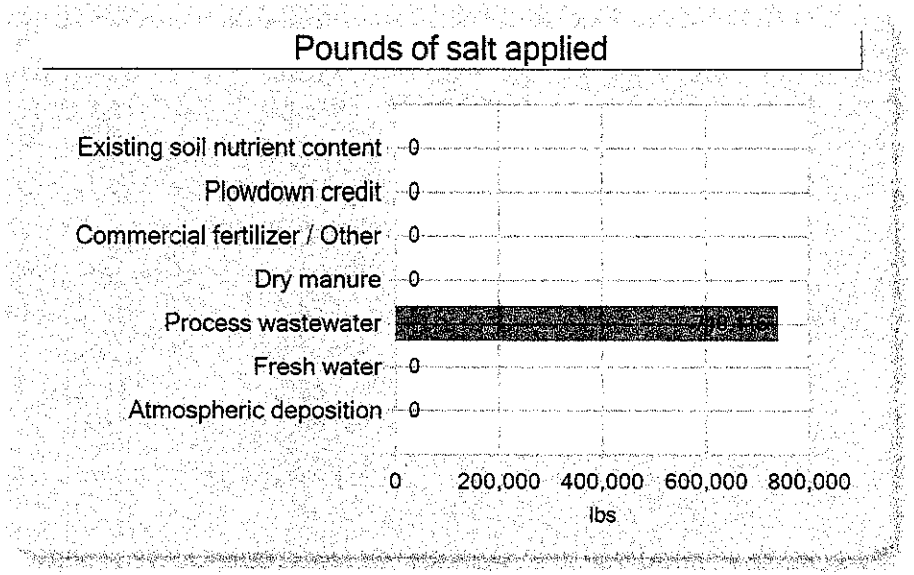

## EXCEPTION REPORTING

### A. MANURE, PROCESS WASTEWATER, AND OTHER DAIRY WASTE DISCHARGES

The following is a summary of all manure and process wastewater discharges from the production area to surface water or to land areas (land application areas or otherwise) when not in accordance with the facility's Nutrient Management Plan.

*No manure or process wastewater discharges occurred during the reporting period.*

### B. STORM WATER DISCHARGES

The following is a summary of all storm water discharges from the production area to surface water during the reporting period when not in accordance with the facility 's Nutrient Management Plan.

*No stormwater discharges occurred during the reporting period.*

### C. LAND APPLICATION AREA TO SURFACE WATER DISCHARGES

The following is a summary of all discharges from the land application area to surface water that have occurred during the reporting period when not in accordance with the facility's Nutrient Management Plan.

*No land application area to surface water discharges occurred during the reporting period.*

## NUTRIENT MANAGEMENT PLAN AND EXPORT AGREEMENT STATEMENTS

### A. NUTRIENT MANAGEMENT PLAN STATEMENTS

| | |
|---|---|
| Was the facility's NMP updated in the reporting period? | Yes |
| Was the facility's NMP developed by a certified nutrient management planner (specialist) as specified in Attachment C of the General Order? | Yes |
| Was the facility's NMP approved by a certified nutrient management planner (specialist) as specified in Attachment C of the General Order? | Yes |

### B. EXPORT AGREEMENT STATEMENT

| | |
|---|---|
| Are there any written agreements with third parties to receive manure or process wastewater that are new or were revised within the reporting period? | No |

ADDITIONAL NOTES

**A. NOTES**

Sherman Dairy changed its name to Triangle S Dairy LLC in the Reporting Year of 2021. Everything else remains the same.

CERTIFICATION

**A. OWNER AND/OR OPERATOR CERTIFICATION**

*I certify under penalty of law that I have personally examined and am familiar with the information submitted in this document and all attachments and that, based on my inquiry of those individuals immediately responsible for obtaining the information, I believe that the information is true, accurate, and complete. I am aware that there are significant penalties for submitting false information, including the possibility of fine and imprisonment.*

| | |
|---|---|
| Fred Sherman | Scot Sherman |
| SIGNATURE OF OWNER OF FACILITY | SIGNATURE OF OPERATOR OF FACILITY |
| Fred Sherman | Scot Sherman |
| PRINT OR TYPE NAME | PRINT OR TYPE NAME |
| 6/25/24 | 6-25-24 |
| DATE | DATE |

ATTACHMENTS

## A. REQUIRED ATTACHMENTS

The following lists the required documents that should be attached to the Annual Report when submitted.

Annual Dairy Facility Assessment

Provide an Annual Dairy Facility Assessment (an update to the Preliminary Dairy Facility Assessment in Attachment A) for each reporting period. On the PDFA Final page, click on the ADFA Report button to generate an ADFA report after updating information as needed.

Manure/Process Wastewater Tracking Manifests

Provide copies of all manure/process wastewater tracking manifests for the reporting period, signed by both the owner/operator and the hauler.

Corrective Actions Documents

Provide records documenting any corrective actions taken to correct deficiencies noted as a result of the inspections required in the Monitoring Requirements of the General Order. Deficiencies not corrected in 30 days must be accompanied by an explanation of the factors preventing immediate correction.

Groundwater Monitoring

Dischargers that monitor supply wells or subsurface (tile) drainage systems, or that have monitoring well systems must submit monitoring results as directed in the General Order, Groundwater Reporting Section starting on page MRP-13.

Storm Water Monitoring

Dischargers that are required to monitor storm water more frequently than required in the General Order must submit monitoring results as directed in the General Order, Storm Water Reporting Section on page MRP-14.

# DENELE ANALYTICAL, INC.
865 S. KILROY
TURLOCK, CA 95380

PH# 209-634-9055 FAX# 209-634-9057

## DAIRY COMPLIANCE

Authorized Copy Released To: Scotand Sandy@aol.com

Client: Triangle S Dairy

Mailing address: 5600 W. Palm Avenue Winton, CA, 95388
(not facility address)

Sampled By: Scot Sherman

Phone#: 209-535-4713

Project ID:

### ANALYSIS TO BE COMPLETED:

**IRRIGATION/GROUND WATER**
- H1 EC*, NO3-N, NH4-N*
- H6 EC, TN, TDS
- H7 Combination of H1 & H6
- H14 EC, NO3-N, NH4-N, Ca, Mg, Na, Bicarb Carb, SO4, Cl, TDS

**PROCESS WASTE WATER**
- H3 EC*, NH4-N, TKN, TP, K, TDS
- H4 EC*, NO3-N, NH4-N, TKN, TP, K, TDS
- H5 Ca, Mg, Na, Bicarb, Carb, SO4, Cl
- H8 Combination of H3 &H5
- H9 Combination of H4 &H5

**TILE DRAIN**
- H2 EC*, NO3-N, TP, NH4-N*, TDS

** Required Field Measurement*

___ (Check here if performed)

**DISCHARGE WATER**
- E1 EC*, Temp*, pH*, NO3-N, NH4-N, TKN, TP, K, TDS, Dissolved Oxygen*, BOD 5, TSS, Total & Fecal Coliforms
- E2 EC,* Temp*, pH*, NO3-N, NH4-N*, Turbidity, TP, Dissolved Oxygen*, Total & Fecal Coliforms
- E3 EC*, Temp*, pH*, NO3-N, NH4-N*, TP, Total & Fecal Coliforms
- E4 EC*, Temp*, pH*, NO3-N, NH4-N*, Turbidity, TP, Total & Fecal Coliform

**MANURE**
- M1 % Moisture
- M3 TN TP, K, % Moisture
- M4 Ca, Mg, Na, Bicarb, Carb, SO4, Cl, Ash
- M7 Combination of M3 & M4

**PLANT TISSUE**
- F18 % Moisture, Ash, TN, P, K, DM and as received
- F18+ % Moisture, Ash, TN, P, K, DM and as received (Package also includes NIR DCAD)
- F19+ % Moisture, TN (Package includes complete plant tissue analysis)

**SOIL**
- K3 Soluble Phosphorus
- K4 1ft NO3, Organic Matter
- K5 Pre-Plant (2ft NO3), Fall (1-2ft NO3), Fall (2-3ft NO3)
- K6 0-1ft EC, NO3, Soluble P, K, Organic Matter
- K7 Combination of K3 & K4
- K8 Combination of K3 & K5

| | Date Collected | Time Collected | Sample ID | Description | Temp | Well Purge | H1 | H3 | M3 | F18 | OTHER |
|---|---|---|---|---|---|---|---|---|---|---|---|
| 1 | 11/9/23 | 11 AM | Well | 10 HP | 20.0°c | | X | | | | |
| 2 | 11/9/23 | 11 AM | Irrigation | surface water | 18.6° | | X | | | | |
| 3 | 11/9/23 | 11:05 | Well | 5 HP | 18.0° | | X | | | | |
| 4 | 11/9/23 | 11:10 | Water | Lagoon | 22.0°c | | | X | | | |
| 5 | 11/9/23 | 11:10 | Compost | Tree | | | | | X | | |
| 6 | 11/9/23 | 11:15 | Compost | Bedding | | | | | X | | |
| 7 | 11/9/23 | 11:20 | Compost | Palm | | | | | X | | |
| 8 | | | | | | | | | | | |
| 9 | | | | | | | | | | | |
| 10 | | | | | | | | | | | |

Analysis

### CHAIN OF CUSTODY RECORDING

| | Signature | Company | Received Date & Time | Relinquished Date & Time | (LABORATORY USE ONLY) Logged in By: | LABORATORY NUMBER |
|---|---|---|---|---|---|---|
| 1st | Austin Sawyer | | | | | |
| 2nd | | DENELE ANALYTICAL, INC. | 11-9-23 @ 13:00 | | | T331300 6 |

Required to be submitted to any agency? (YES / NO)

# DENELE ANALYTICAL, INC.

865 S. KILROY
TURLOCK, CA 95380

PH# 209-634-9055 FAX# 209-634-9057

## DAIRY COMPLIANCE

Client: Triangle S. Dairy
Mailing address: 5600 W. Palm Ave Winton
(not facility address)
Phone#: 209-535-4713

Authorized Copy Released To: SCotandSandY@aol.com
Sampled By: SCot Sherman
Project ID:

### ANALYSIS TO BE COMPLETED:

**IRRIGATION/GROUND WATER**
- H1 EC*, NO3-N, NH4-N*
- H6 EC, TN, TDS
- H7 Combination of H1 & H6
- H14 EC, NO3-N, NH4-N, Ca, Mg, Na, Bicarb Carb, SO4, Cl, TDS

**PROCESS WASTE WATER**
- H3 EC*, NH4-N, TKN, TP, K, TDS
- H4 EC*, NO3-N, NH4-N, TKN, TP, K, TDS
- H5 Ca, Mg, Na, Bicarb, Carb, SO4, Cl
- H8 Combination of H3 &H5
- H9 Combination of H4 &H5

**TILE DRAIN**
- H2 EC*, NO3-N, TP, NH4-N*, TDS

** Required Field Measurement*

___ (Check here if performed)

**DISCHARGE WATER**
- E1 EC*, Temp*, pH*, NO3-N, NH4-N, TKN, TP, K, TDS, Dissolved Oxygen*, BOD 5, TSS, Total & Fecal Coliforms
- E2 EC,* Temp*, pH*, NO3-N, NH4-N*, Turbidity, TP, Dissolved Oxygen*, Total & Fecal Coliforms
- E3 EC*, Temp*, pH*, NO3-N, NH4-N*, TP, Total & Fecal Coliforms
- E4 EC*, Temp*, pH*, NO3-N, NH4-N*, Turbidity, TP, Total & Fecal Coliform

**MANURE**
- M1 % Moisture
- M3 TN TP, K, % Moisture
- M4 Ca, Mg, Na, Bicarb, Carb, SO4, Cl, Ash
- M7 Combination of M3 & M4

**PLANT TISSUE**
- F18 % Moisture, Ash, TN, P, K, DM and as received
- F18+ % Moisture, Ash, TN, P, K, DM and as received (Package also includes NIR DCAD)
- F19+ % Moisture, TN (Package includes complete plant tissue analysis)

**SOIL**
- K3 Soluble Phosphorus
- K4 1ft NO3, Organic Matter
- K5 Pre-Plant (2ft NO3), Fall (1-2ft NO3), Fall (2-3ft NO3)
- K6 0-1ft EC, NO3, Soluble P, K, Organic Matter
- K7 Combination of K3 & K4
- K8 Combination of K3 & K5

| | Date Collected | Time Collected | Sample ID | Description | Temp | Well Purge | H1 | H3 | M3 | F18 | OTHER |
|---|---|---|---|---|---|---|---|---|---|---|---|
| 1 | 9/26/23 | 3:00PM | Shaffer | Corn Silage | | | | | | X | moisture |
| 2 | 9/26/23 | 1:00PM | Office | Corn Silage | | | | | | X | moisture |
| 3 | 9/25/23 | 1:00PM | Trents | Corn Silage | | | | | | X | moisture |
| 4 | | | | | | | | | | | |
| 5 | | | | | | | | | | | |
| 6 | | | | | | | | | | | |
| 7 | | | | | | | | | | | |
| 8 | | | | | | | | | | | |
| 9 | | | | | | | | | | | |
| 10 | | | | | | | | | | | |

Analysis

### CHAIN OF CUSTODY RECORDING

| | Signature | Company | Received Date & Time | Relinquished Date & Time | (LABORATORY USE ONLY) Logged In By: | LABORATORY NUMBER |
|---|---|---|---|---|---|---|
| 1st | Austin Sherman | Triangle S Dairy | | | | |
| 2nd | | DENELE ANALYTICAL, INC. | 9-28-23 12:30 | | | T327101\0 |

Required to be submitted to any agency? (YES / NO)

**Denele Analytical, Inc.**

865 South Kilroy Avenue Turlock, CA 95380
Phone (209) 634-9055 - Fax (209) 634-9057

www.denelelabs.com

40 N. East Street, Woodland, CA 95776
Phone (530) 666-9056 - Fax (530) 666-9058

# Compliance Analysis Report

Consultant: Wells

Grower

**Customer**
Triangle S Dairy LLC
5600 W. Palm
Winton, CA 95388

PURCHASE ORDER:
RECEIVED DATE: 11/9/23 1:00 PM
SUBMITTED BY: Scot
ANALYZED DATE: 11/3/23

Irrigation/ Ground Water (H1)
SOURCE: Clear Water

NOTES: Temperature was above qualifying at 18.0c

| Sample ID | Lab ID | Analyte | Method Ref | Result | Units |
|---|---|---|---|---|---|
| 5HP | T3313008C | Electrical Conductivity (EC) | EPA 120.1 and | 0.487 | mmhos/cm |
| | | Nitrate Nitrogen (NO3-N) | EPA 353.2 | 10.9 | mg/L |
| | | Ammonia Nitrogen (NH3-N) | SM 4500-NH3 D,C | < 0.500 | mg/L |
| | | Soluble Salts (SALT-SOL) | Calculation | 312 | mg/L |

| Laboratory Quality Control | LCS % | MS % | MSD % | RPD % |
|---|---|---|---|---|
| Ammonia Nitrogen (NH3-N) | 94.6 | 95.8 (Method BI) | 94.0 (Method BI) | 1.89 |
| Electrical Conductivity (EC) | 95.5 | | | 1.15 |
| Nitrate Nitrogen (NO3-N) | 105 | 106 (T3313015A) | 103 (T3313015A) | 2.64 |

The warranty of Denele Analytical is limited to the accuracy of the analyses of the samples as received. Denele Analytical assumes no responsibility for which the customer uses our test results, nor liability for any other warranties, express or implied. These terms and conditions shall supercede any conflicting terms and conditions submitted on customer purchase orders or other forms submitted for work.

ELAP Certificate No.: 2714

Denele Analytical, Inc.

865 South Kilroy Avenue Turlock, CA 95380
Phone (209) 634-9055 - Fax (209) 634-9057

www.denelelabs.com

40 N. East Street, Woodland, CA 95776
Phone (530) 666-9056 - Fax (530) 666-9058

# Compliance Analysis Report

**Customer**
Triangle S Dairy LLC
5600 W. Palm
Winton, CA 95388

**Grower**

**Consultant:**

PURCHASE ORDER:
RECEIVED DATE: 11/9/23 1:00 PM
SUBMITTED BY: Scot
ANALYZED DATE: 11/3/23

Irrigation/ Ground Water (H1)
SOURCE: Clear Water

NOTES: Temperature was above qualifying at 20.0c

| Sample ID | Lab ID | Analyte | Method Ref | Result | Units |
|---|---|---|---|---|---|
| 10HP | T3313008A | Electrical Conductivity (EC) | EPA 120.1 and | 0.491 | mmhos/cm |
| | | Nitrate Nitrogen (NO3-N) | EPA 353.2 | 10.8 | mg/L |
| | | Ammonia Nitrogen (NH3-N) | SM 4500-NH3 D,C | < 0.500 | mg/L |
| | | Soluble Salts (SALT-SOL) | Calculation | 314 | mg/L |

| Laboratory Quality Control | LCS % | MS % | MSD % | RPD % |
|---|---|---|---|---|
| Ammonia Nitrogen (NH3-N) | 94.6 | 95.8 (Method BI) | 94.0 (Method BI) | 1.89 |
| Electrical Conductivity (EC) | 95.5 | | | 1.15 |
| Nitrate Nitrogen (NO3-N) | 105 | 106 (T3313015A) | 103 (T3313015A) | 2.64 |

The warranty of Denele Analytical is limited to the accuracy of the analyses of the samples as received. Denele Analytical assumes no responsibility for which the customer uses our test results, nor liability for any other warranties, express or implied. These terms and conditions shall supercede any conflicting terms and conditions submitted on customer purchase orders or other forms submitted for work.



ELAP Certificate No.: 2714

2023

# ATTACHMENT D

## Manure/Process Wastewater Tracking Manifest
## For
## Existing Milk Cow Dairies

Instructions:

1) Complete one manifest for each hauling event, for each destination. A hauling event may last for several days, as long as the manure is being hauled to the same destination.
2) If there are multiple destinations, **complete a separate form for each destination.**
3) The operator must obtain the signature of the hauler upon completion of each manure-hauling event.
4) The operator shall submit copies of manure/process wastewater tracking manifest(s) with the Annual Monitoring Report for Existing Milk Cow Dairies.

**Operator Information:**

Name of Operator: Scot Sherman

Name of Dairy Facility: Triangle S Dairy LLC

Facility Address: 5600 W. Palm Ave Winton CA 95388
Number and Street City Zip Code

Contact Person Name and Phone Number: Scot Sherman 209 535-4713
Name Phone Number

**Manure/Process Wastewater Hauler Information:**

Name of Hauling Company/Person: Triangle S Dairy

Address of Hauling Company /Person: Same
Number and Street City Zip Code

Contact Person: Scot Sherman Same
Name Phone Number

**Destination Information:**

Composting Facility / Broker / Farmer / Other (identify) _____ (please circle one)

Contact information of Composting Facility, Broker, Farmer, or Other (as identified above):

Triangle S Dairy Same
Name Number and Street City Zip Code Phone Number

Manure/Process Wastewater Destination Address or Assessor's Parcel Number:

3664 Fisher Rd Winton CA 95388
Number and Street City Zip Code Assessor's Parcel Number

Dates Hauled: 11/5/23 – 11/10/23

**Amount Hauled:**

Enter the amount of manure hauled in tons or cubic yards (indicate the units used), the manure solids content (if amount reported in tons) or manure density (if amount reported in cubic yards), and the method used to calculate the amount:

Manure: 1300 Tons or Cubic Yards (indicate which units used)
Manure Solids Content (if amount reported in tons): _____
Manure Density (if amount reported in cubic yards): _____

Method used to determine amount of manure: Trucks w/ Side Dump Trailers and Scales

Enter the amount of process wastewater hauled in gallons and the method used to determine the amount.

Process Wastewater: _____ Gallons

Method used to determine volume of process wastewater: _____

_____

**Written Agreement:**
Does the Operator have a written agreement (in compliance with Land Application Specification E.3 of Reissued Waste Discharge Requirements General Order No. R5-2007-0035-R) with any party that receives process wastewater from the Operator for its own use? (please check one)

X Yes _____ No

If the answer is no, the Operator agrees to have such a written agreement with any such party for any process wastewater transferred after **31 December 2007** to such party.
_____ (Operator shall provide initials here to acknowledge this requirement).

**Certification:**
I declare under the penalty of law that I personally examined and am familiar with the information submitted in this document, and that based on my inquiry of those individuals immediately responsible for obtaining the information, I believe that the information is true, accurate, and complete. I am aware that there are significant penalties for submitting false information, including the possibility of a fine and imprisonment for knowing violations.

Operator's Signature: Scot Sherman Date: 11/25/23

Hauler's Signature: Scot Sherman Date: 11/25/23

## ATTACHMENT D

### Manure/Process Wastewater Tracking Manifest
### For
### Existing Milk Cow Dairies

Instructions:

1) Complete one manifest for each hauling event, for each destination. A hauling event may last for several days, as long as the manure is being hauled to the same destination.
2) If there are multiple destinations, **complete a separate form for each destination.**
3) The operator must obtain the signature of the hauler upon completion of each manure-hauling event.
4) The operator shall submit copies of manure/process wastewater tracking manifest(s) with the Annual Monitoring Report for Existing Milk Cow Dairies.

**Operator Information:**

Name of Operator: Scot Sherman

Name of Dairy Facility: Triangle S Dairy LLC

Facility Address: 5600 W. Palm Ave Winton CA 95388
Number and Street City Zip Code

Contact Person Name and Phone Number: Scot Sherman 209 535-4713
Name Phone Number

**Manure/Process Wastewater Hauler Information:**

Name of Hauling Company/Person: Triangle S Dairy

Address of Hauling Company /Person: Same
Number and Street City Zip Code

Contact Person: Scot Sherman Same
Name Phone Number

**Destination Information:**

Composting Facility / Broker / Farmer / Other (identify) _____ (please circle one)

Contact information of Composting Facility, Broker, Farmer, or Other (as identified above):

Triangle S Dairy Same
Name Number and Street City Zip Code Phone Number

Manure/Process Wastewater Destination Address or Assessor's Parcel Number:

6216 W. Palm Ave Winton CA 95388
Number and Street City Zip Code Assessor's Parcel Number

Dates Hauled: 11/22/23 11/27/23

**Amount Hauled:**

Enter the amount of manure hauled in tons or cubic yards (indicate the units used), the manure solids content (if amount reported in tons) or manure density (if amount reported in cubic yards), and the method used to calculate the amount:

Manure: 2500 Tons or Cubic Yards (indicate which units used)
Manure Solids Content (if amount reported in tons): _____
Manure Density (if amount reported in cubic yards): _____

Method used to determine amount of manure: Trucks w/ Side Dump Trailers and Scales

Enter the amount of process wastewater hauled in gallons and the method used to determine the amount.

Process Wastewater: _____ Gallons

Method used to determine volume of process wastewater: _____

_____

**Written Agreement:**
Does the Operator have a written agreement (in compliance with Land Application Specification E.3 of Reissued Waste Discharge Requirements General Order No. R5-2007-0035-R) with any party that receives process wastewater from the Operator for its own use? (please check one)

X Yes _____ No

If the answer is no, the Operator agrees to have such a written agreement with any such party for any process wastewater transferred after **31 December 2007** to such party.
_____ (Operator shall provide initials here to acknowledge this requirement).

**Certification:**
I declare under the penalty of law that I personally examined and am familiar with the information submitted in this document, and that based on my inquiry of those individuals immediately responsible for obtaining the information, I believe that the information is true, accurate, and complete. I am aware that there are significant penalties for submitting false information, including the possibility of a fine and imprisonment for knowing violations.

Operator's Signature: Scot Sherman Date: 11/10/23

Hauler's Signature: Scot Sherman Date: 11/10/23

## ATTACHMENT D

### Manure/Process Wastewater Tracking Manifest
### For
### Existing Milk Cow Dairies

Instructions:

1) Complete one manifest for each hauling event, for each destination. A hauling event may last for several days, as long as the manure is being hauled to the same destination.
2) If there are multiple destinations, **complete a separate form for each destination.**
3) The operator must obtain the signature of the hauler upon completion of each manure-hauling event.
4) The operator shall submit copies of manure/process wastewater tracking manifest(s) with the Annual Monitoring Report for Existing Milk Cow Dairies.

**Operator Information:**

Name of Operator: Scot Sherman

Name of Dairy Facility: Triangle S Dairy LLC

Facility Address: 5600 W. Palm Ave Winton CA 95388
Number and Street City Zip Code

Contact Person Name and Phone Number: Scot Sherman 209 535-4713
Name Phone Number

**Manure/Process Wastewater Hauler Information:**

Name of Hauling Company/Person: Triangle S Dairy

Address of Hauling Company /Person: Same
Number and Street City Zip Code

Contact Person: Scot Sherman 209 535-4713
Name Phone Number

**Destination Information:**

Composting Facility / Broker / Farmer Other (identify) _____ (please circle one)

Contact information of Composting Facility, Broker, Farmer, or Other (as identified above):

Triangle S Dairy Same
Name Number and Street City Zip Code Phone Number

Manure/Process Wastewater Destination Address or Assessor's Parcel Number:

12200 N Hwy 59 Merced CA 95348
Number and Street City Zip Code Assessor's Parcel Number

Dates Hauled: 11/1/23 – 11/5/23

**Amount Hauled:**

Enter the amount of manure hauled in tons or cubic yards (indicate the units used), the manure solids content (if amount reported in tons) or manure density (if amount reported in cubic yards), and the method used to calculate the amount:

Manure: 1800 Tons or Cubic Yards (indicate which units used)
Manure Solids Content (if amount reported in tons): _____
Manure Density (if amount reported in cubic yards): _____

Method used to determine amount of manure: Trucks w/ Side Dump Trailers and Scales

Enter the amount of process wastewater hauled in gallons and the method used to determine the amount.

Process Wastewater: _____ Gallons

Method used to determine volume of process wastewater: _____

_____

**Written Agreement:**
Does the Operator have a written agreement (in compliance with Land Application Specification E.3 of Reissued Waste Discharge Requirements General Order No. R5-2007-0035-R) with any party that receives process wastewater from the Operator for its own use? (please check one)

X Yes _____ No

If the answer is no, the Operator agrees to have such a written agreement with any such party for any process wastewater transferred after **31 December 2007** to such party.
_____ (Operator shall provide initials here to acknowledge this requirement).

**Certification:**
I declare under the penalty of law that I personally examined and am familiar with the information submitted in this document, and that based on my inquiry of those individuals immediately responsible for obtaining the information, I believe that the information is true, accurate, and complete. I am aware that there are significant penalties for submitting false information, including the possibility of a fine and imprisonment for knowing violations.

Operator's Signature: Sat Sherman Date: 11/25/23

Hauler's Signature: Sat Sherman Date: 11/25/23

## ATTACHMENT D

### Manure/Process Wastewater Tracking Manifest
### For
### Existing Milk Cow Dairies

Instructions:

1) Complete one manifest for each hauling event, for each destination. A hauling event may last for several days, as long as the manure is being hauled to the same destination.
2) If there are multiple destinations, **complete a separate form for each destination.**
3) The operator must obtain the signature of the hauler upon completion of each manure-hauling event.
4) The operator shall submit copies of manure/process wastewater tracking manifest(s) with the Annual Monitoring Report for Existing Milk Cow Dairies.

**Operator Information:**

Name of Operator: Scot Sherman

Name of Dairy Facility: Triangle S Dairy LLC

Facility Address: 5600 W. Palm Ave Winton CA 95388
Number and Street City Zip Code

Contact Person Name and Phone Number: Scot Sherman 209 535-4713
Name Phone Number

**Manure/Process Wastewater Hauler Information:**

Name of Hauling Company/Person: Triangle S Dairy LLC

Address of Hauling Company /Person: Same
Number and Street City Zip Code

Contact Person: Scot Sherman
Name Phone Number

**Destination Information:**

Composting Facility / Broker / Farmer / Other (identify) _____ (please circle one)

Contact information of Composting Facility, Broker, Farmer, or Other (as identified above):

Triangle S Dairy Same
Name Number and Street City Zip Code Phone Number

Manure/Process Wastewater Destination Address or Assessor's Parcel Number:

5745 W. Palm Ave Winton CA 95388
Number and Street City Zip Code Assessor's Parcel Number

Dates Hauled: 11/22/23 – 11/25/23

**Amount Hauled:**

Enter the amount of manure hauled in tons or cubic yards (indicate the units used), the manure solids content (if amount reported in tons) or manure density (if amount reported in cubic yards), and the method used to calculate the amount:

Manure: _____ Tons or Cubic Yards (indicate which units used)
Manure Solids Content (if amount reported in tons): _____
Manure Density (if amount reported in cubic yards): _____

Method used to determine amount of manure: _____

_____

Enter the amount of process wastewater hauled in gallons and the method used to determine the amount.

Process Wastewater: 600,000 Gallons

Method used to determine volume of process wastewater: _____
Transfer tank w/ Tractor & Applicator

**Written Agreement:**
Does the Operator have a written agreement (in compliance with Land Application Specification E.3 of Reissued Waste Discharge Requirements General Order No. R5-2007-0035-R) with any party that receives process wastewater from the Operator for its own use? (please check one)

X Yes _____ No

If the answer is no, the Operator agrees to have such a written agreement with any such party for any process wastewater transferred after **31 December 2007** to such party.
_____ (Operator shall provide initials here to acknowledge this requirement).

**Certification:**
I declare under the penalty of law that I personally examined and am familiar with the information submitted in this document, and that based on my inquiry of those individuals immediately responsible for obtaining the information, I believe that the information is true, accurate, and complete. I am aware that there are significant penalties for submitting false information, including the possibility of a fine and imprisonment for knowing violations.

Operator's Signature: Seth Sherman Date: 11/28/23

Hauler's Signature: Seth Sherman Date: 11/28/23

## ATTACHMENT D

### Manure/Process Wastewater Tracking Manifest
### For
### Existing Milk Cow Dairies

Instructions:

1) Complete one manifest for each hauling event, for each destination. A hauling event may last for several days, as long as the manure is being hauled to the same destination.
2) If there are multiple destinations, **complete a separate form for each destination.**
3) The operator must obtain the signature of the hauler upon completion of each manure-hauling event.
4) The operator shall submit copies of manure/process wastewater tracking manifest(s) with the Annual Monitoring Report for Existing Milk Cow Dairies.

**Operator Information:**

Name of Operator: Scot Sherman

Name of Dairy Facility: Triangle S Dairy LLC

Facility Address: 5600 W. Palm Ave Winton CA 95388
Number and Street City Zip Code

Contact Person Name and Phone Number: Scot Sherman 209 535-4713
Name Phone Number

**Manure/Process Wastewater Hauler Information:**

Name of Hauling Company/Person: Triangle S Dairy LLC

Address of Hauling Company /Person: Same
Number and Street City Zip Code

Contact Person: Scot Sherman Same
Name Phone Number

**Destination Information:**

Composting Facility / Broker / Farmer / Other (identify) _____ (please circle one)

Contact information of Composting Facility, Broker, Farmer, or Other (as identified above):

Triangle S Dairy Same
Name Number and Street City Zip Code Phone Number

Manure/Process Wastewater Destination Address or Assessor's Parcel Number:

3314 Turlock Rd Snelling CA 95369
Number and Street City Zip Code Assessor's Parcel Number

Dates Hauled: 11/3/23 11/10/23

**Amount Hauled:**

Enter the amount of manure hauled in tons or cubic yards (indicate the units used), the manure solids content (if amount reported in tons) or manure density (if amount reported in cubic yards), and the method used to calculate the amount:

Manure: 2000 Tons or Cubic Yards (indicate which units used)
Manure Solids Content (if amount reported in tons): _____
Manure Density (if amount reported in cubic yards): _____

Method used to determine amount of manure: Trucks w/ Side Dumps Trailors and Scales

Enter the amount of process wastewater hauled in gallons and the method used to determine the amount.

Process Wastewater: _____ Gallons

Method used to determine volume of process wastewater: _____

**Written Agreement:**
Does the Operator have a written agreement (in compliance with Land Application Specification E.3 of Reissued Waste Discharge Requirements General Order No. R5-2007-0035-R) with any party that receives process wastewater from the Operator for its own use? (please check one)

X Yes _____ No

If the answer is no, the Operator agrees to have such a written agreement with any such party for any process wastewater transferred after **31 December 2007** to such party.
_____ (Operator shall provide initials here to acknowledge this requirement).

**Certification:**
I declare under the penalty of law that I personally examined and am familiar with the information submitted in this document, and that based on my inquiry of those individuals immediately responsible for obtaining the information, I believe that the information is true, accurate, and complete. I am aware that there are significant penalties for submitting false information, including the possibility of a fine and imprisonment for knowing violations.

Operator's Signature: Scot Sherman Date: 11/20/23

Hauler's Signature: Scot Sherman Date: 11/20/23

## THIRD PARTY PROCESS WASTEWATER AGREEMENT

This agreement is between the Dairy Operator (Process Wastewater Supplier) and the Third Party (Process Wastewater Recipient) that receives process wastewater (lagoon/nutrient water) from the Dairy Operator as identified below.

**Dairy Operator (Process Wastewater Supplier) Information:**

Dairy Operator Scot Sherman

Facility Name Triangle S Dairy LLC

Physical Address 5600 W. Palm Ave Winton CA 95388

Mailing Address Same

Phone Number 209 535-4713

Assessor's Parcel Number(s) 0052-0540-0036-0000

**Dairy Operator initial here to verify accuracy of this information: SS

**Third Party (Process Wastewater Recipient) Information:**

Third Party Name Triangle S Dairy (Almond/open Land

Physical Address Same

Mailing Address Same

Phone Number Same

Identification of each area (by Assessor's Parcel Number) where process wastewater will be applied, the acreage, and the crop(s) to be grown:

| Assessor's Parcel Number | Acreage | Crop(s) to be Grown |
|---|---|---|
| 0052-0090-0021-000 (Palm) | 106 | Almonds |
| 0052-0090-0090-000 (Cobb) | 27 | Almonds |
| | | |
| | | |
| | | |
| | | |

**Third Party initial here to verify accuracy of this information: _____

This agreement specifies the terms of agreement for which the Dairy Operator, as identified above, will supply process wastewater to the Third Party, as identified above, and for which the Third Party will receive process wastewater from the Dairy Operator and apply the process wastewater to the area and for the crops identified in the "Third Party (Process Wastewater Recipient) Information" above.

**The Dairy Operator agrees to:**

1. Complete a Manure/Process Wastewater Tracking Manifest (Attachment D of Waste Discharge Requirements General Order No. R5-2007-0035 for Existing Milk Cow Dairies) for each transfer (whether by pipeline, truck, or other means) of process wastewater to the Third Party, and
2. Include copies of each Manure/Process Wastewater Tracking Manifest in the Annual Monitoring Report as required in Waste Discharge Requirements General Order No. R5-2007-0035 for Existing Milk Cow Dairies.

**Dairy Operator initial here to acknowledge this requirement. SS

**The Third Party agrees to:**

1. Use all process wastewater received from the Dairy Operator in the areas and for the crop(s) identified above by the Third Party at agronomic rates appropriate for the crops to be grown.
2. Handle process wastewater carefully and in a manner that prevents runoff to surface waters of any process wastewater, storm water or irrigation supply water that has come into contact with manure or is blended with process wastewater. Special attention is warranted in situations where process wastewater is co-mingled with fresh water to prevent backflow conditions which may result in discharge to surface or ground water.

**Third Party initial here to acknowledge this requirement. SS

**The Dairy Operator and the Third Party agree to:**

1. *Work together to ensure that applications are timely and the delivery system is safe.*
2. Send a Notice of Termination to the other party and copied to the Central Valley Regional Water Quality Control Board no less than 60 days in advance of the termination date.

**Other conditions specific to this agreement are noted below:**

Other Conditions:
Triangle S Dairy Will Supply Lagoon Water to Triangle S Dairy (Almonds). Triangle S Dairy Almond Ranches is not in the NMP. This is why an agreement is made

**Dairy Operator initial here to acknowledge this (these) condition(s). _____
**Third Party initial here to acknowledge this (these) condition(s). _____

**Certification Statement:**

*I certify under penalty of law that I have personally examined and am familiar with the information submitted in this document and all attachments and that, based on my inquiry of those individuals immediately responsible for obtaining the information, I believe that the information is true, accurate, and complete. I am aware that there are significant penalties for submitting false information, including the possibility of fine and imprisonment.*

Signed by:

Scot Sherman — 11/26/23
(Dairy Operator Signature) — (date)

Scot Sherman — 11/26/23
(Third Party Signature) — (date)