Annual Report - General Order No. R5-2007-0035
Reporting period 01/01/2023 to 12/31/2023.

DAIRY FACILITY INFORMATION

A. NAME OF DAIRY OR BUSINESS OPERATING THE DAIRY: Sallaberry Ranch

Physical address of dairy:

Number and Street	City	County	Zip Code
5608 S Morgan RD	Turlock	Stanislaus	95380

Street and nearest cross street (if no address):

Date facility was originally placed in operation: 01/01/1970

Regional Water Quality Control Board Basin Plan designation: San Joaquin River Basin

County Assessor Parcel Number(s) for dairy facility:

X057-X004-X001-XXXX

B. OPERATORS

S & D Bylsma Dairy

Operator name: S & D Bylsma Dairy

Telephone no.: Landline: ; Cellular: (209) 606-4894

Mailing Address Number and Street	City	State	Zip Code
5870 Crowslanding RD	Modesto	CA	95358

This operator is responsible for paying permit fees.

C. OWNERS

S & D Bylsma Dairy

Legal owner name: S & D Bylsma Dairy

Telephone no.: Landline: ; Cellular: (209) 606-4894

Mailing Address Number and Street	City	State	Zip Code
5870 Crowslanding RD	Modesto	CA	95358

This owner is responsible for paying permit fees.

Annual Report - General Order No. R5-2007-0035
Reporting period 01/01/2023 to 12/31/2023.

AVAILABLE NUTRIENTS

A. HERD INFORMATION

	Milk Cows	Dry Cows	Bred Heifers (15-24 mo.)	Heifers (7-14 mo. to breeding)	Calves (4-6 mo.)	Calves (0-3 mo.)
Number open confinement	0	0	0	0	0	0
Number under roof	0	0	290	170	0	0
Maximum number	0	0	290	170	0	0
Average number	0	0	290	170	0	0
Avg live weight (lbs)	0	0	915	765		

Predominant milk cow breed: Holstein

Average milk production: 1 *pounds per cow per day*

B. MANURE GENERATED

Total manure excreted by the herd: 4,596.42 *tons per reporting period*

Total nitrogen from manure: 43,654.00 *lbs per reporting period*

After ammonia losses (30% loss applied): 30,557.80 *lbs per reporting period*

Total phosphorus from manure: 7,387.60 *lbs per reporting period*

Total potassium from manure: 1.00 *lbs per reporting period*

Total salt from manure: 0.00 *lbs per reporting period*

C. PROCESS WASTEWATER GENERATED

Process wastewater generated: 16,875,000 *gallons*

Total nitrogen generated: 2,260.31 *lbs*

Total phosphorus generated: 1,330.72 *lbs*

Total potassium generated: 40,281.06 *lbs*

Total salt generated: 1,736,192.27 *lbs*

	16,875,000	*gallons applied*
+	0	*gallons exported*
-	0	*gallons imported*
=	16,875,000	*gallons generated*

D. FRESH WATER SOURCES

Source Description	Type
Domestic Well - Morgan RD House	Ground water
Domestic Well - Morgan RD Milk Barn	Ground water
Irrigation Water - Canal	Surface water

E. SUBSURFACE (TILE) DRAINAGE SOURCES

No subsurface (tile) drainage sources entered.

F. NUTRIENT IMPORTS

No dry manure nutrient imports entered.

No process wastewater nutrient imports entered.

No commercial or other nutrient imports entered.

G. NUTRIENT EXPORTS

No solid nutrient exports entered.

No liquid nutrient exports entered.

APPLICATION AREA

A. LIST OF LAND APPLICATION AREAS

Field name	Controlled acres	Cropable acres	Total harvests	Type of waste applied	Parcel number
Field 1	76	76	2	both	X057-X004-X006-XXXX
Field 2	34	34	2	both	X057-X004-X001-XXXX
Field 3	20	20	2	both	X057-X004-X007-XXXX
Field 4	15	15	2	both	X057-X004-X005-XXXX
Totals for areas that were used for application	145	145	8		
Totals for areas that were not used for application					
Land application area totals	145	145	8		

B. CROPS AND HARVESTS

Field 1

Field name: Field 1

11/19/2022: Oats, silage-soft dough

Crop: Oats, silage-soft dough Acres planted: 76 Plant date: 11/19/2022

Harvest date	Yield	Reporting basis	Density (lbs/cu ft)	Moisture (%)	N (mg/kg)	P (mg/kg)	K (mg/kg)	Salt (mg/kg)	TFS (%)
05/17/2023	1,125.34 *ton*	Dry-weight		71.4	18,900.00	3,200.00	25,100.00		14.00

	Yield (tons/acre)	Total N (lbs/acre)	Total P (lbs/acre)	Total K (lbs/acre)	Salt (lbs/acre)
Anticipated harvest content	16.00	160.00	25.60	132.80	16.00
Total actual harvest content	14.81	160.08	27.10	212.59	1,185.75

06/10/2023: Corn, silage

Crop: Corn, silage Acres planted: 76 Plant date: 06/10/2023

Harvest date	Yield	Reporting basis	Density (lbs/cu ft)	Moisture (%)	N (mg/kg)	P (mg/kg)	K (mg/kg)	Salt (mg/kg)	TFS (%)
10/04/2023	2,020.14 *ton*	Dry-weight		62.3	12,000.00	1,600.00	11,900.00		4.90

	Yield (tons/acre)	Total N (lbs/acre)	Total P (lbs/acre)	Total K (lbs/acre)	Salt (lbs/acre)
Anticipated harvest content	30.00	240.00	45.00	198.00	0.00
Total actual harvest content	26.58	240.50	32.07	238.50	982.05

Field 2

Field name: Field 2

11/20/2022: Oats, silage-soft dough

Crop: Oats, silage-soft dough Acres planted: 34 Plant date: 11/20/2022

Harvest date	Yield	Reporting basis	Density (lbs/cu ft)	Moisture (%)	N (mg/kg)	P (mg/kg)	K (mg/kg)	Salt (mg/kg)	TFS (%)
05/17/2023	480.19 *ton*	Dry-weight		70.8	15,700.00	2,800.00	23,900.00		15.90

	Yield (tons/acre)	Total N (lbs/acre)	Total P (lbs/acre)	Total K (lbs/acre)	Salt (lbs/acre)
Anticipated harvest content	16.00	160.00	25.60	132.80	16.00
Total actual harvest content	14.12	129.49	23.09	197.13	1,311.43

06/10/2023: Corn, silage

Crop: Corn, silage Acres planted: 34 Plant date: 06/10/2023

Harvest date	Yield	Reporting basis	Density (lbs/cu ft)	Moisture (%)	N (mg/kg)	P (mg/kg)	K (mg/kg)	Salt (mg/kg)	TFS (%)
10/04/2023	960.43 *ton*	Dry-weight		64.0	11,900.00	1,200.00	15,100.00		4.90

	Yield (tons/acre)	Total N (lbs/acre)	Total P (lbs/acre)	Total K (lbs/acre)	Salt (lbs/acre)
Anticipated harvest content	30.00	240.00	45.00	198.00	0.00
Total actual harvest content	28.25	242.03	24.41	307.11	996.59

Field 3

Field name: Field 3

11/20/2022: Oats, silage-soft dough

Crop: Oats, silage-soft dough Acres planted: 20 Plant date: 11/20/2022

Harvest date	Yield	Reporting basis	Density (lbs/cu ft)	Moisture (%)	N (mg/kg)	P (mg/kg)	K (mg/kg)	Salt (mg/kg)	TFS (%)
05/17/2023	260.45 *ton*	Dry-weight		72.3	16,900.00	3,000.00	25,800.00		12.80

	Yield (tons/acre)	Total N (lbs/acre)	Total P (lbs/acre)	Total K (lbs/acre)	Salt (lbs/acre)
Anticipated harvest content	16.00	160.00	25.60	132.80	16.00
Total actual harvest content	13.02	121.92	21.64	186.13	923.45

Field 3

06/10/2023: Corn, silage

Crop: Corn, silage Acres planted: 20 Plant date: 06/10/2023

Harvest date	Yield	Reporting basis	Density (lbs/cu ft)	Moisture (%)	N (mg/kg)	P (mg/kg)	K (mg/kg)	Salt (mg/kg)	TFS (%)
10/04/2023	575.95 *ton*	Dry-weight		61.7	13,300.00	2,100.00	12,600.00		4.80

	Yield (tons/acre)	Total N (lbs/acre)	Total P (lbs/acre)	Total K (lbs/acre)	Salt (lbs/acre)
Anticipated harvest content	30.00	240.00	45.00	198.00	0.00
Total actual harvest content	28.80	293.38	46.32	277.94	1,058.83

Field 4

Field name: Field 4

11/20/2022: Oats, silage-soft dough

Crop: Oats, silage-soft dough Acres planted: 15 Plant date: 11/20/2022

Harvest date	Yield	Reporting basis	Density (lbs/cu ft)	Moisture (%)	N (mg/kg)	P (mg/kg)	K (mg/kg)	Salt (mg/kg)	TFS (%)
05/17/2023	198.74 *ton*	Dry-weight		70.9	15,400.00	2,800.00	23,300.00		12.30

	Yield (tons/acre)	Total N (lbs/acre)	Total P (lbs/acre)	Total K (lbs/acre)	Salt (lbs/acre)
Anticipated harvest content	16.00	160.00	25.60	132.80	16.00
Total actual harvest content	13.25	118.75	21.59	179.67	948.47

06/10/2023: Corn, silage

Crop: Corn, silage Acres planted: 15 Plant date: 06/10/2023

Harvest date	Yield	Reporting basis	Density (lbs/cu ft)	Moisture (%)	N (mg/kg)	P (mg/kg)	K (mg/kg)	Salt (mg/kg)	TFS (%)
10/04/2023	427.25 *ton*	Dry-weight		62.6	12,500.00	1,600.00	12,500.00		4.30

	Yield (tons/acre)	Total N (lbs/acre)	Total P (lbs/acre)	Total K (lbs/acre)	Salt (lbs/acre)
Anticipated harvest content	30.00	240.00	45.00	198.00	0.00
Total actual harvest content	28.48	266.32	34.09	266.32	916.14

NUTRIENT BUDGET

A. LAND APPLICATIONS

Field 1 - 11/19/2022: Oats, silage-soft dough

Field name: Field 1

Crop: Oats, silage-soft dough — Plant date: 11/19/2022

Application date	Application method	Precipitation 24 hours prior	Precipitation during application	Precipitation 24 hours following
11/05/2022	Surface (irrigation)	No precipitation	No precipitation	No precipitation

Source description	Material type	N (lbs/acre)	P (lbs/acre)	K (lbs/acre)	Salt (lbs/acre)	Amount
Irrigation Water - Canal	Surface water	0.01	0.00	0.00	46.19	11,685,225.00 *gal*
Application event totals		0.01	0.00	0.00	46.19	

Application date	Application method	Precipitation 24 hours prior	Precipitation during application	Precipitation 24 hours following
03/28/2023	Surface (irrigation)	No precipitation	No precipitation	No precipitation

Source description	Material type	N (lbs/acre)	P (lbs/acre)	K (lbs/acre)	Salt (lbs/acre)	Amount
Lagoon Water	Process wastewater	4.71	2.11	89.93	4,641.03	2,190,000.00 *gal*
Irrigation Water - Canal	Surface water	0.01	0.00	0.00	45.52	11,516,850.00 *gal*
Application event totals		4.73	2.11	89.93	4,686.55	

Application date	Application method	Precipitation 24 hours prior	Precipitation during application	Precipitation 24 hours following
10/14/2023	Broadcast/incorporate	No precipitation	No precipitation	No precipitation

Source description	Material type	N (lbs/acre)	P (lbs/acre)	K (lbs/acre)	Salt (lbs/acre)	Amount
Solid Manure	Corral solids	183.60	75.69	265.74	0.00	750.00 *ton*
Application event totals		183.60	75.69	265.74	0.00	

Field 1 - 06/10/2023: Corn, silage

Field name: Field 1

Crop: Corn, silage — Plant date: 06/10/2023

Application date	Application method	Precipitation 24 hours prior	Precipitation during application	Precipitation 24 hours following
05/20/2023	Broadcast/incorporate	No precipitation	No precipitation	No precipitation

Source description	Material type	N (lbs/acre)	P (lbs/acre)	K (lbs/acre)	Salt (lbs/acre)	Amount
Solid Manure	Corral solids	286.65	28.18	28.18	0.00	500.00 *ton*
Application event totals		286.65	28.18	28.18	0.00	

Field 1 - 06/10/2023: Corn, silage

Application date	Application method	Precipitation 24 hours prior	Precipitation during application	Precipitation 24 hours following
05/31/2023	Surface (irrigation)	No precipitation	No precipitation	No precipitation

Source description	Material type	N (lbs/acre)	P (lbs/acre)	K (lbs/acre)	Salt (lbs/acre)	Amount
Irrigation Water - Canal	Surface water	0.01	0.00	0.00	43.93	11,112,750.00 *gal*
Application event totals		0.01	0.00	0.00	43.93	

07/05/2023	Surface (irrigation)	No precipitation	No precipitation	No precipitation

Source description	Material type	N (lbs/acre)	P (lbs/acre)	K (lbs/acre)	Salt (lbs/acre)	Amount
Irrigation Water - Canal	Surface water	0.01	0.00	0.00	44.33	11,213,775.00 *gal*
Application event totals		0.01	0.00	0.00	44.33	

07/17/2023	Surface (irrigation)	No precipitation	No precipitation	No precipitation

Source description	Material type	N (lbs/acre)	P (lbs/acre)	K (lbs/acre)	Salt (lbs/acre)	Amount
Lagoon Water	Process wastewater	4.13	1.85	78.85	4,068.85	1,920,000.00 *gal*
Irrigation Water - Canal	Surface water	0.01	0.00	0.00	42.86	10,843,350.00 *gal*
Application event totals		4.14	1.85	78.85	4,111.71	

07/30/2023	Surface (irrigation)	No precipitation	No precipitation	No precipitation

Source description	Material type	N (lbs/acre)	P (lbs/acre)	K (lbs/acre)	Salt (lbs/acre)	Amount
Lagoon Water	Process wastewater	4.42	1.98	84.39	4,354.94	2,055,000.00 *gal*
Irrigation Water - Canal	Surface water	0.01	0.00	0.00	43.40	10,978,050.00 *gal*
Application event totals		4.43	1.98	84.39	4,398.33	

08/12/2023	Surface (irrigation)	No precipitation	No precipitation	No precipitation

Source description	Material type	N (lbs/acre)	P (lbs/acre)	K (lbs/acre)	Salt (lbs/acre)	Amount
Lagoon Water	Process wastewater	2.31	2.33	32.46	273.49	2,025,000.00 *gal*
Irrigation Water - Canal	Surface water	0.01	0.00	0.00	43.13	10,910,700.00 *gal*
Application event totals		2.32	2.33	32.46	316.62	

Field 1 - 06/10/2023: Corn, silage

Application date	Application method	Precipitation 24 hours prior	Precipitation during application	Precipitation 24 hours following
08/24/2023	Surface (irrigation)	No precipitation	No precipitation	No precipitation

Source description	Material type	N (lbs/acre)	P (lbs/acre)	K (lbs/acre)	Salt (lbs/acre)	Amount
Irrigation Water - Canal	Surface water	0.01	0.00	0.00	42.86	10,843,350.00 *gal*
Application event totals		0.01	0.00	0.00	42.86	

Application date	Application method	Precipitation 24 hours prior	Precipitation during application	Precipitation 24 hours following
09/05/2023	Surface (irrigation)	No precipitation	No precipitation	No precipitation

Source description	Material type	N (lbs/acre)	P (lbs/acre)	K (lbs/acre)	Salt (lbs/acre)	Amount
Irrigation Water - Canal	Surface water	0.01	0.00	0.00	42.73	10,809,675.00 *gal*
Application event totals		0.01	0.00	0.00	42.73	

Application date	Application method	Precipitation 24 hours prior	Precipitation during application	Precipitation 24 hours following
09/18/2023	Surface (irrigation)	No precipitation	No precipitation	No precipitation

Source description	Material type	N (lbs/acre)	P (lbs/acre)	K (lbs/acre)	Salt (lbs/acre)	Amount
Irrigation Water - Canal	Surface water	0.01	0.00	0.00	43.66	11,045,400.00 *gal*
Application event totals		0.01	0.00	0.00	43.66	

Field 2 - 11/20/2022: Oats, silage-soft dough

Field name: Field 2

Crop: Oats, silage-soft dough

Plant date: 11/20/2022

Application date	Application method	Precipitation 24 hours prior	Precipitation during application	Precipitation 24 hours following
11/06/2022	Surface (irrigation)	No precipitation	No precipitation	No precipitation

Source description	Material type	N (lbs/acre)	P (lbs/acre)	K (lbs/acre)	Salt (lbs/acre)	Amount
Irrigation Water - Canal	Surface water	0.01	0.00	0.00	44.04	4,983,900.00 *gal*
Application event totals		0.01	0.00	0.00	44.04	

Application date	Application method	Precipitation 24 hours prior	Precipitation during application	Precipitation 24 hours following
03/29/2023	Surface (irrigation)	No precipitation	No precipitation	No precipitation

Source description	Material type	N (lbs/acre)	P (lbs/acre)	K (lbs/acre)	Salt (lbs/acre)	Amount
Lagoon Water	Process wastewater	4.98	2.23	95.01	4,902.81	1,035,000.00 *gal*
Irrigation Water - Canal	Surface water	0.01	0.00	0.00	44.63	5,051,250.00 *gal*
Application event totals		4.99	2.23	95.01	4,947.44	

Field 2 - 11/20/2022: Oats, silage-soft dough

Application date	Application method	Precipitation 24 hours prior	Precipitation during application	Precipitation 24 hours following
10/14/2023	Broadcast/incorporate	No precipitation	No precipitation	No precipitation

Source description	Material type	N (lbs/acre)	P (lbs/acre)	K (lbs/acre)	Salt (lbs/acre)	Amount
Solid Manure	Corral solids	164.16	67.68	237.60	0.00	300.00 *ton*
Application event totals		164.16	67.68	237.60	0.00	

Field 2 - 06/10/2023: Corn, silage

Field name: Field 2

Crop: Corn, silage

Plant date: 06/10/2023

Application date	Application method	Precipitation 24 hours prior	Precipitation during application	Precipitation 24 hours following
05/20/2023	Broadcast/incorporate	No precipitation	No precipitation	No precipitation

Source description	Material type	N (lbs/acre)	P (lbs/acre)	K (lbs/acre)	Salt (lbs/acre)	Amount
Solid Manure	Corral solids	307.56	30.23	30.23	0.00	240.00 *ton*
Application event totals		307.56	30.23	30.23	0.00	

06/01/2023	Surface (irrigation)	No precipitation	No precipitation	No precipitation

Source description	Material type	N (lbs/acre)	P (lbs/acre)	K (lbs/acre)	Salt (lbs/acre)	Amount
Irrigation Water - Canal	Surface water	0.01	0.00	0.00	46.12	5,219,625.00 *gal*
Application event totals		0.01	0.00	0.00	46.12	

07/06/2023	Surface (irrigation)	No precipitation	No precipitation	No precipitation

Source description	Material type	N (lbs/acre)	P (lbs/acre)	K (lbs/acre)	Salt (lbs/acre)	Amount
Irrigation Water - Canal	Surface water	0.01	0.00	0.00	43.74	4,950,225.00 *gal*
Application event totals		0.01	0.00	0.00	43.74	

07/18/2023	Surface (irrigation)	No precipitation	No precipitation	No precipitation

Source description	Material type	N (lbs/acre)	P (lbs/acre)	K (lbs/acre)	Salt (lbs/acre)	Amount
Irrigation Water - Canal	Surface water	0.01	0.00	0.00	44.33	5,017,575.00 *gal*
Application event totals		0.01	0.00	0.00	44.33	

Field 2 - 06/10/2023: Corn, silage

Application date	Application method	Precipitation 24 hours prior	Precipitation during application	Precipitation 24 hours following
07/31/2023	Surface (irrigation)	No precipitation	No precipitation	No precipitation

Source description	Material type	N (lbs/acre)	P (lbs/acre)	K (lbs/acre)	Salt (lbs/acre)	Amount
Lagoon Water	Process wastewater	5.09	2.28	97.07	5,009.39	1,057,500.00 *gal*
Irrigation Water - Canal	Surface water	0.01	0.00	0.00	43.14	4,882,875.00 *gal*
Application event totals		5.10	2.28	97.07	5,052.54	

08/13/2023	Surface (irrigation)	No precipitation	No precipitation	No precipitation

Source description	Material type	N (lbs/acre)	P (lbs/acre)	K (lbs/acre)	Salt (lbs/acre)	Amount
Lagoon Water	Process wastewater	2.60	2.63	36.55	307.93	1,020,000.00 *gal*
Irrigation Water - Canal	Surface water	0.01	0.00	0.00	44.63	5,051,250.00 *gal*
Application event totals		2.62	2.63	36.55	352.56	

08/25/2023	Surface (irrigation)	No precipitation	No precipitation	No precipitation

Source description	Material type	N (lbs/acre)	P (lbs/acre)	K (lbs/acre)	Salt (lbs/acre)	Amount
Lagoon Water	Process wastewater	2.68	2.71	37.63	316.99	1,050,000.00 *gal*
Irrigation Water - Canal	Surface water	0.01	0.00	0.00	44.04	4,983,900.00 *gal*
Application event totals		2.69	2.71	37.63	361.02	

09/06/2023	Surface (irrigation)	No precipitation	No precipitation	No precipitation

Source description	Material type	N (lbs/acre)	P (lbs/acre)	K (lbs/acre)	Salt (lbs/acre)	Amount
Irrigation Water - Canal	Surface water	0.01	0.00	0.00	42.85	4,849,200.00 *gal*
Application event totals		0.01	0.00	0.00	42.85	

09/19/2023	Surface (irrigation)	No precipitation	No precipitation	No precipitation

Source description	Material type	N (lbs/acre)	P (lbs/acre)	K (lbs/acre)	Salt (lbs/acre)	Amount
Irrigation Water - Canal	Surface water	0.01	0.00	0.00	43.14	4,882,875.00 *gal*
Application event totals		0.01	0.00	0.00	43.14	

Field 3 - 11/20/2022: Oats, silage-soft dough

Field name: Field 3

Crop: Oats, silage-soft dough

Plant date: 11/20/2022

Field 3 - 11/20/2022: Oats, silage-soft dough

Application date	Application method	Precipitation 24 hours prior	Precipitation during application	Precipitation 24 hours following
11/06/2022	Surface (irrigation)	No precipitation	No precipitation	No precipitation

Source description	Material type	N (lbs/acre)	P (lbs/acre)	K (lbs/acre)	Salt (lbs/acre)	Amount
Irrigation Water - Canal	Surface water	0.01	0.00	0.00	47.55	3,165,450.00 *gal*
Application event totals		0.01	0.00	0.00	47.55	

Application date	Application method	Precipitation 24 hours prior	Precipitation during application	Precipitation 24 hours following
03/29/2023	Surface (irrigation)	No precipitation	No precipitation	No precipitation

Source description	Material type	N (lbs/acre)	P (lbs/acre)	K (lbs/acre)	Salt (lbs/acre)	Amount
Lagoon Water	Process wastewater	2.80	2.83	39.29	331.03	645,000.00 *gal*
Irrigation Water - Canal	Surface water	0.01	0.00	0.00	46.54	3,098,100.00 *gal*
Application event totals		2.81	2.83	39.29	377.56	

Application date	Application method	Precipitation 24 hours prior	Precipitation during application	Precipitation 24 hours following
10/14/2023	Broadcast/incorporate	No precipitation	No precipitation	No precipitation

Source description	Material type	N (lbs/acre)	P (lbs/acre)	K (lbs/acre)	Salt (lbs/acre)	Amount
Solid Manure	Corral solids	148.84	61.36	215.42	0.00	160.00 *ton*
Application event totals		148.84	61.36	215.42	0.00	

Field 3 - 06/10/2023: Corn, silage

Field name: Field 3

Crop: Corn, silage

Plant date: 06/10/2023

Application date	Application method	Precipitation 24 hours prior	Precipitation during application	Precipitation 24 hours following
06/01/2023	Surface (irrigation)	No precipitation	No precipitation	No precipitation

Source description	Material type	N (lbs/acre)	P (lbs/acre)	K (lbs/acre)	Salt (lbs/acre)	Amount
Irrigation Water - Canal	Surface water	0.01	0.00	0.00	41.48	2,761,350.00 *gal*
Application event totals		0.01	0.00	0.00	41.48	

Application date	Application method	Precipitation 24 hours prior	Precipitation during application	Precipitation 24 hours following
07/06/2023	Surface (irrigation)	No precipitation	No precipitation	No precipitation

Source description	Material type	N (lbs/acre)	P (lbs/acre)	K (lbs/acre)	Salt (lbs/acre)	Amount
Irrigation Water - Canal	Surface water	0.01	0.00	0.00	45.52	3,030,750.00 *gal*
Application event totals		0.01	0.00	0.00	45.52	

Field 3 - 06/10/2023: Corn, silage

Application date	Application method	Precipitation 24 hours prior	Precipitation during application	Precipitation 24 hours following
07/18/2023	Surface (irrigation)	No precipitation	No precipitation	No precipitation

Source description	Material type	N (lbs/acre)	P (lbs/acre)	K (lbs/acre)	Salt (lbs/acre)	Amount
Irrigation Water - Canal	Surface water	0.01	0.00	0.00	46.03	3,064,425.00 *gal*
Application event totals		0.01	0.00	0.00	46.03	

07/31/2023	Surface (irrigation)	No precipitation	No precipitation	No precipitation

Source description	Material type	N (lbs/acre)	P (lbs/acre)	K (lbs/acre)	Salt (lbs/acre)	Amount
Lagoon Water	Process wastewater	5.70	2.56	108.85	5,616.92	697,500.00 *gal*
Irrigation Water - Canal	Surface water	0.01	0.00	0.00	48.56	3,232,800.00 *gal*
Application event totals		5.72	2.56	108.85	5,665.48	

08/13/2023	Surface (irrigation)	No precipitation	No precipitation	No precipitation

Source description	Material type	N (lbs/acre)	P (lbs/acre)	K (lbs/acre)	Salt (lbs/acre)	Amount
Lagoon Water	Process wastewater	5.89	2.64	112.36	5,798.11	720,000.00 *gal*
Irrigation Water - Canal	Surface water	0.01	0.00	0.00	49.57	3,300,150.00 *gal*
Application event totals		5.90	2.64	112.36	5,847.68	

08/25/2023	Surface (irrigation)	No precipitation	No precipitation	No precipitation

Source description	Material type	N (lbs/acre)	P (lbs/acre)	K (lbs/acre)	Salt (lbs/acre)	Amount
Lagoon Water	Process wastewater	5.64	2.53	107.68	5,556.52	690,000.00 *gal*
Irrigation Water - Canal	Surface water	0.01	0.00	0.00	48.05	3,199,125.00 *gal*
Application event totals		5.66	2.53	107.68	5,604.57	

09/06/2023	Surface (irrigation)	No precipitation	No precipitation	No precipitation

Source description	Material type	N (lbs/acre)	P (lbs/acre)	K (lbs/acre)	Salt (lbs/acre)	Amount
Irrigation Water - Canal	Surface water	0.01	0.00	0.00	49.07	3,266,475.00 *gal*
Application event totals		0.01	0.00	0.00	49.07	

Field 3 - 06/10/2023: Corn, silage

Application date	Application method	Precipitation 24 hours prior	Precipitation during application	Precipitation 24 hours following
09/19/2023	Surface (irrigation)	No precipitation	No precipitation	No precipitation

Source description	Material type	N (lbs/acre)	P (lbs/acre)	K (lbs/acre)	Salt (lbs/acre)	Amount
Irrigation Water - Canal	Surface water	0.01	0.00	0.00	50.08	3,333,825.00 *gal*
Application event totals		0.01	0.00	0.00	50.08	

Application date	Application method	Precipitation 24 hours prior	Precipitation during application	Precipitation 24 hours following
10/14/2023	Broadcast/incorporate	No precipitation	No precipitation	No precipitation

Source description	Material type	N (lbs/acre)	P (lbs/acre)	K (lbs/acre)	Salt (lbs/acre)	Amount
Solid Manure	Corral solids	325.58	134.23	471.24	0.00	350.00 *ton*
Application event totals		325.58	134.23	471.24	0.00	

Field 4 - 11/20/2022: Oats, silage-soft dough

Field name: Field 4

Crop: Oats, silage-soft dough

Plant date: 11/20/2022

Application date	Application method	Precipitation 24 hours prior	Precipitation during application	Precipitation 24 hours following
11/06/2022	Surface (irrigation)	No precipitation	No precipitation	No precipitation

Source description	Material type	N (lbs/acre)	P (lbs/acre)	K (lbs/acre)	Salt (lbs/acre)	Amount
Irrigation Water - Canal	Surface water	0.01	0.00	0.00	42.49	2,121,525.00 *gal*
Application event totals		0.01	0.00	0.00	42.49	

Application date	Application method	Precipitation 24 hours prior	Precipitation during application	Precipitation 24 hours following
03/29/2023	Surface (irrigation)	No precipitation	No precipitation	No precipitation

Source description	Material type	N (lbs/acre)	P (lbs/acre)	K (lbs/acre)	Salt (lbs/acre)	Amount
Lagoon Water	Process wastewater	2.47	2.50	34.72	292.53	427,500.00 *gal*
Irrigation Water - Canal	Surface water	0.01	0.00	0.00	44.51	2,222,550.00 *gal*
Application event totals		2.49	2.50	34.72	337.05	

Application date	Application method	Precipitation 24 hours prior	Precipitation during application	Precipitation 24 hours following
10/14/2023	Broadcast/incorporate	No precipitation	No precipitation	No precipitation

Source description	Material type	N (lbs/acre)	P (lbs/acre)	K (lbs/acre)	Salt (lbs/acre)	Amount
Solid Manure	Corral solids	148.84	61.36	215.42	0.00	120.00 *ton*
Application event totals		148.84	61.36	215.42	0.00	

Field 4 - 06/10/2023: Corn, silage

Field name: Field 4

Crop: Corn, silage

Plant date: 06/10/2023

Application date	Application method	Precipitation 24 hours prior	Precipitation during application	Precipitation 24 hours following
05/20/2023	Broadcast/incorporate	No precipitation	No precipitation	No precipitation

Source description	Material type	N (lbs/acre)	P (lbs/acre)	K (lbs/acre)	Salt (lbs/acre)	Amount
Solid Manure	Corral solids	290.47	28.55	28.55	0.00	100.00 *ton*
Application event totals		290.47	28.55	28.55	0.00	

Application date	Application method	Precipitation 24 hours prior	Precipitation during application	Precipitation 24 hours following
06/01/2023	Surface (irrigation)	No precipitation	No precipitation	No precipitation

Source description	Material type	N (lbs/acre)	P (lbs/acre)	K (lbs/acre)	Salt (lbs/acre)	Amount
Irrigation Water - Canal	Surface water	0.01	0.00	0.00	45.86	2,289,900.00 *gal*
Application event totals		0.01	0.00	0.00	45.86	

Application date	Application method	Precipitation 24 hours prior	Precipitation during application	Precipitation 24 hours following
07/06/2023	Surface (irrigation)	No precipitation	No precipitation	No precipitation

Source description	Material type	N (lbs/acre)	P (lbs/acre)	K (lbs/acre)	Salt (lbs/acre)	Amount
Irrigation Water - Canal	Surface water	0.01	0.00	0.00	43.84	2,188,875.00 *gal*
Application event totals		0.01	0.00	0.00	43.84	

Application date	Application method	Precipitation 24 hours prior	Precipitation during application	Precipitation 24 hours following
07/18/2023	Surface (irrigation)	No precipitation	No precipitation	No precipitation

Source description	Material type	N (lbs/acre)	P (lbs/acre)	K (lbs/acre)	Salt (lbs/acre)	Amount
Irrigation Water - Canal	Surface water	0.01	0.00	0.00	44.51	2,222,550.00 *gal*
Application event totals		0.01	0.00	0.00	44.51	

Application date	Application method	Precipitation 24 hours prior	Precipitation during application	Precipitation 24 hours following
07/31/2023	Surface (irrigation)	No precipitation	No precipitation	No precipitation

Source description	Material type	N (lbs/acre)	P (lbs/acre)	K (lbs/acre)	Salt (lbs/acre)	Amount
Lagoon Water	Process wastewater	2.52	2.54	35.33	297.67	435,000.00 *gal*
Irrigation Water - Canal	Surface water	0.01	0.00	0.00	42.49	2,121,525.00 *gal*
Application event totals		2.53	2.54	35.33	340.16	

Field 4 - 06/10/2023: Corn, silage

Application date	Application method	Precipitation 24 hours prior	Precipitation during application	Precipitation 24 hours following
08/13/2023	Surface (irrigation)	No precipitation	No precipitation	No precipitation

Source description	Material type	N (lbs/acre)	P (lbs/acre)	K (lbs/acre)	Salt (lbs/acre)	Amount
Lagoon Water	Process wastewater	2.60	2.63	36.55	307.93	450,000.00 *gal*
Irrigation Water - Canal	Surface water	0.01	0.00	0.00	43.16	2,155,200.00 *gal*
Application event totals		2.62	2.63	36.55	351.09	

08/25/2023	Surface (irrigation)	No precipitation	No precipitation	No precipitation

Source description	Material type	N (lbs/acre)	P (lbs/acre)	K (lbs/acre)	Salt (lbs/acre)	Amount
Lagoon Water	Process wastewater	2.65	2.67	37.16	313.06	457,500.00 *gal*
Irrigation Water - Canal	Surface water	0.01	0.00	0.00	45.86	2,289,900.00 *gal*
Application event totals		2.66	2.67	37.16	358.92	

09/06/2023	Surface (irrigation)	No precipitation	No precipitation	No precipitation

Source description	Material type	N (lbs/acre)	P (lbs/acre)	K (lbs/acre)	Salt (lbs/acre)	Amount
Irrigation Water - Canal	Surface water	0.01	0.00	0.00	45.19	2,256,225.00 *gal*
Application event totals		0.01	0.00	0.00	45.19	

09/19/2023	Surface (irrigation)	No precipitation	No precipitation	No precipitation

Source description	Material type	N (lbs/acre)	P (lbs/acre)	K (lbs/acre)	Salt (lbs/acre)	Amount
Irrigation Water - Canal	Surface water	0.01	0.00	0.00	47.21	2,357,250.00 *gal*
Application event totals		0.01	0.00	0.00	47.21	

B. NUTRIENT BUDGET

Field 1 - 11/19/2022: Oats, silage-soft dough

Field name: Field 1 Crop: Oats, silage-soft dough Plant date: 11/19/2022

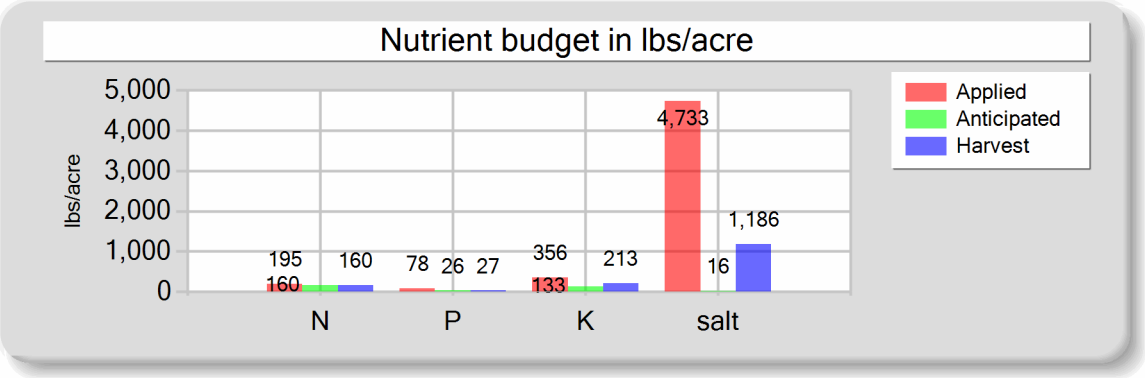

	Total N (lbs/acre)	Total P (lbs/acre)	Total K (lbs/acre)	Total salt (lbs/acre)
Existing soil nutrient content	0.00	0.00	0.00	0.00
Plowdown credit	0.00	0.00	0.00	0.00
Commercial fertilizer / Other	0.00	0.00	0.00	0.00
Dry manure	183.60	75.69	265.74	0.00
Process wastewater	4.71	2.11	89.93	4,641.03
Fresh water	0.03	0.00	0.00	91.72
Atmospheric deposition	7.00	0.00	0.00	0.00
Total nutrients applied	195.34	77.81	355.67	4,732.74
Anticipated crop nutrient removal	160.00	25.60	132.80	16.00
Actual crop nutrient removal	160.08	27.10	212.59	1,185.75
Nutrient balance	35.26	50.71	143.08	3,546.99
Applied to removed ratio	1.22	2.87	1.67	3.99

Fresh water applied	
23,202,075.00	*gallons*
854.45	*acre-inches*
11.24	*inches/acre*

Process wastewater applied	
2,190,000.00	*gallons*
80.65	*acre-inches*
1.06	*inches/acre*

Total harvests for the crop	
1	*harvests*

Field 1 - 06/10/2023: Corn, silage

Field name: Field 1 Crop: Corn, silage Plant date: 06/10/2023

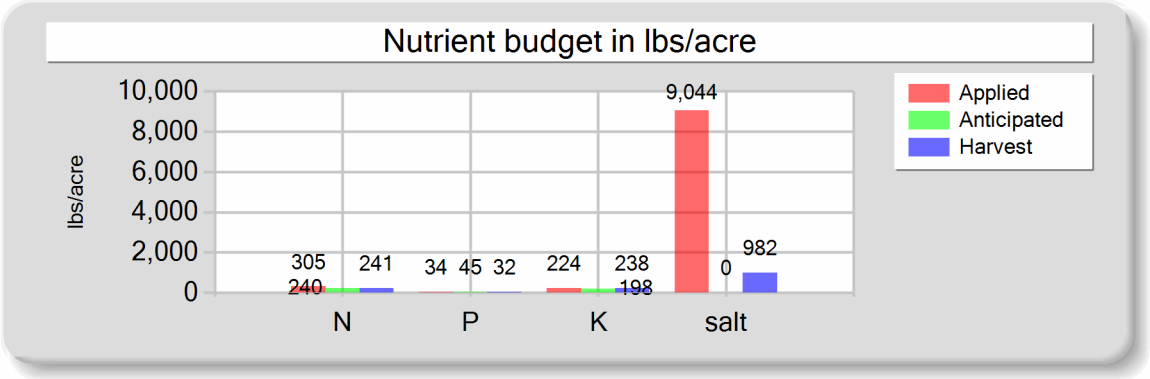

	Total N (lbs/acre)	Total P (lbs/acre)	Total K (lbs/acre)	Total salt (lbs/acre)
Existing soil nutrient content	0.00	0.00	0.00	0.00
Plowdown credit	0.00	0.00	0.00	0.00
Commercial fertilizer / Other	0.00	0.00	0.00	0.00
Dry manure	286.65	28.18	28.18	0.00
Process wastewater	10.87	6.17	195.70	8,697.27
Fresh water	0.10	0.00	0.00	346.89
Atmospheric deposition	7.00	0.00	0.00	0.00
Total nutrients applied	304.61	34.35	223.88	9,044.17
Anticipated crop nutrient removal	240.00	45.00	198.00	0.00
Actual crop nutrient removal	240.50	32.07	238.50	982.05
Nutrient balance	64.11	2.28	-14.62	8,062.11
Applied to removed ratio	1.27	1.07	0.94	9.21

Fresh water applied	
87,757,050.00	*gallons*
3,231.79	*acre-inches*
42.52	*inches/acre*

Process wastewater applied	
6,000,000.00	*gallons*
220.96	*acre-inches*
2.91	*inches/acre*

Total harvests for the crop	
1	*harvests*

Field 2 - 11/20/2022: Oats, silage-soft dough

Field name: Field 2 Crop: Oats, silage-soft dough Plant date: 11/20/2022

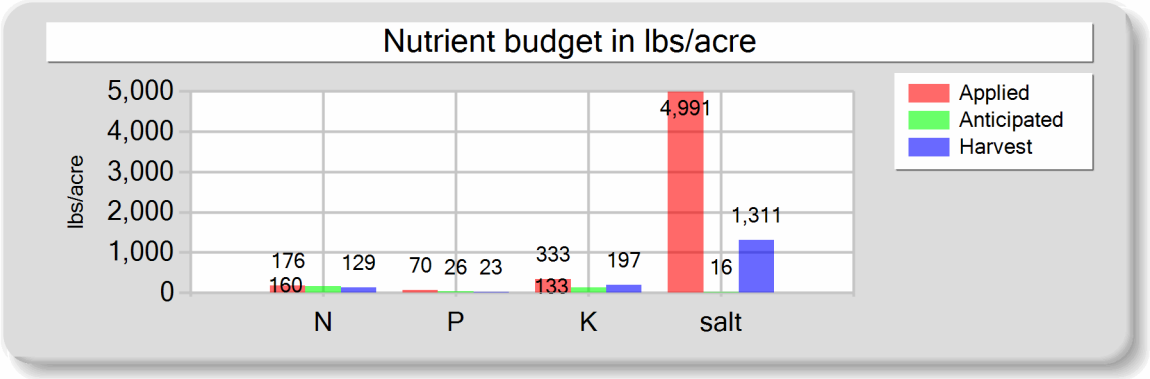

	Total N (lbs/acre)	Total P (lbs/acre)	Total K (lbs/acre)	Total salt (lbs/acre)
Existing soil nutrient content	0.00	0.00	0.00	0.00
Plowdown credit	0.00	0.00	0.00	0.00
Commercial fertilizer / Other	0.00	0.00	0.00	0.00
Dry manure	164.16	67.68	237.60	0.00
Process wastewater	4.98	2.23	95.01	4,902.81
Fresh water	0.02	0.00	0.00	88.67
Atmospheric deposition	7.00	0.00	0.00	0.00
Total nutrients applied	176.16	69.91	332.61	4,991.48
Anticipated crop nutrient removal	160.00	25.60	132.80	16.00
Actual crop nutrient removal	129.49	23.09	197.13	1,311.43
Nutrient balance	46.67	46.82	135.48	3,680.05
Applied to removed ratio	1.36	3.03	1.69	3.81

Fresh water applied	
10,035,150.00	*gallons*
369.56	*acre-inches*
10.87	*inches/acre*

Process wastewater applied	
1,035,000.00	*gallons*
38.12	*acre-inches*
1.12	*inches/acre*

Total harvests for the crop	
1	*harvests*

Field 2 - 06/10/2023: Corn, silage

Field name: Field 2 Crop: Corn, silage Plant date: 06/10/2023

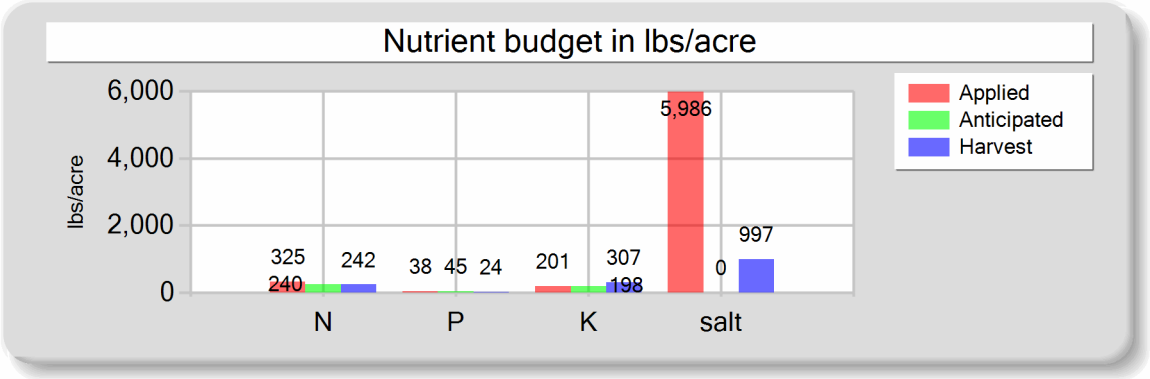

	Total N (lbs/acre)	Total P (lbs/acre)	Total K (lbs/acre)	Total salt (lbs/acre)
Existing soil nutrient content	0.00	0.00	0.00	0.00
Plowdown credit	0.00	0.00	0.00	0.00
Commercial fertilizer / Other	0.00	0.00	0.00	0.00
Dry manure	307.56	30.23	30.23	0.00
Process wastewater	10.37	7.62	171.25	5,634.31
Fresh water	0.10	0.00	0.00	352.00
Atmospheric deposition	7.00	0.00	0.00	0.00
Total nutrients applied	325.03	37.85	201.48	5,986.31
Anticipated crop nutrient removal	240.00	45.00	198.00	0.00
Actual crop nutrient removal	242.03	24.41	307.11	996.59
Nutrient balance	83.00	13.44	-105.63	4,989.72
Applied to removed ratio	1.34	1.55	0.66	6.01

Fresh water applied	
39,837,525.00	*gallons*
1,467.08	*acre-inches*
43.15	*inches/acre*

Process wastewater applied	
3,127,500.00	*gallons*
115.18	*acre-inches*
3.39	*inches/acre*

Total harvests for the crop	
1	*harvests*

Field 3 - 11/20/2022: Oats, silage-soft dough

Field name: Field 3 Crop: Oats, silage-soft dough Plant date: 11/20/2022

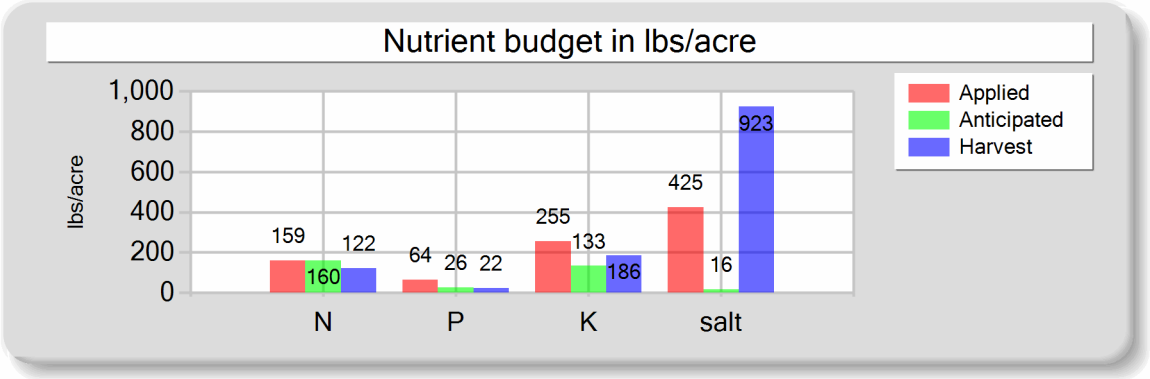

	Total N (lbs/acre)	Total P (lbs/acre)	Total K (lbs/acre)	Total salt (lbs/acre)
Existing soil nutrient content	0.00	0.00	0.00	0.00
Plowdown credit	0.00	0.00	0.00	0.00
Commercial fertilizer / Other	0.00	0.00	0.00	0.00
Dry manure	148.84	61.36	215.42	0.00
Process wastewater	2.80	2.83	39.29	331.03
Fresh water	0.03	0.00	0.00	94.08
Atmospheric deposition	7.00	0.00	0.00	0.00
Total nutrients applied	158.66	64.19	254.72	425.11
Anticipated crop nutrient removal	160.00	25.60	132.80	16.00
Actual crop nutrient removal	121.92	21.64	186.13	923.45
Nutrient balance	36.74	42.55	68.58	-498.34
Applied to removed ratio	1.30	2.97	1.37	0.46

Fresh water applied	
6,263,550.00	*gallons*
230.67	*acre-inches*
11.53	*inches/acre*

Process wastewater applied	
645,000.00	*gallons*
23.75	*acre-inches*
1.19	*inches/acre*

Total harvests for the crop	
1	*harvests*

Field 3 - 06/10/2023: Corn, silage

Field name: Field 3 Crop: Corn, silage Plant date: 06/10/2023

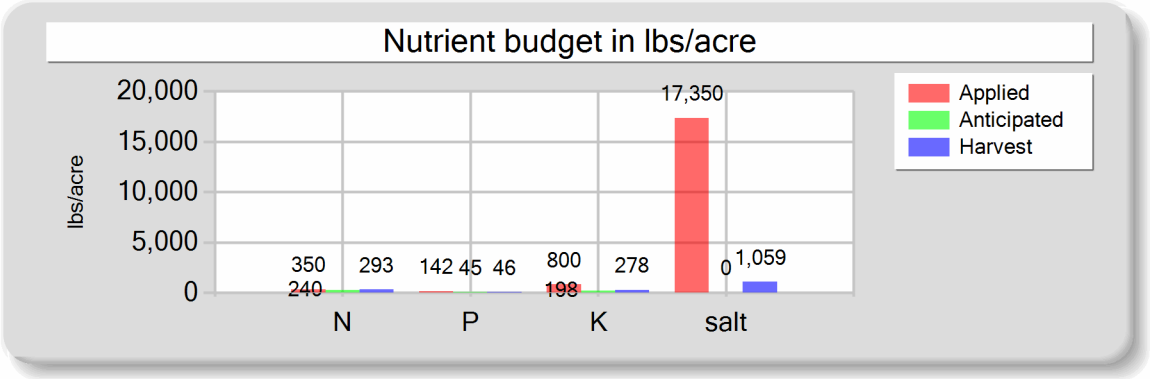

	Total N (lbs/acre)	Total P (lbs/acre)	Total K (lbs/acre)	Total salt (lbs/acre)
Existing soil nutrient content	0.00	0.00	0.00	0.00
Plowdown credit	0.00	0.00	0.00	0.00
Commercial fertilizer / Other	0.00	0.00	0.00	0.00
Dry manure	325.58	134.23	471.24	0.00
Process wastewater	17.24	7.73	328.88	16,971.54
Fresh water	0.11	0.00	0.00	378.36
Atmospheric deposition	7.00	0.00	0.00	0.00
Total nutrients applied	349.92	141.96	800.12	17,349.90
Anticipated crop nutrient removal	240.00	45.00	198.00	0.00
Actual crop nutrient removal	293.38	46.32	277.94	1,058.83
Nutrient balance	56.54	95.64	522.18	16,291.08
Applied to removed ratio	1.19	3.06	2.88	16.39

Fresh water applied	
25,188,900.00	*gallons*
927.62	*acre-inches*
46.38	*inches/acre*

Process wastewater applied	
2,107,500.00	*gallons*
77.61	*acre-inches*
3.88	*inches/acre*

Total harvests for the crop	
1	*harvests*

Field 4 - 11/20/2022: Oats, silage-soft dough

Field name: Field 4 Crop: Oats, silage-soft dough Plant date: 11/20/2022

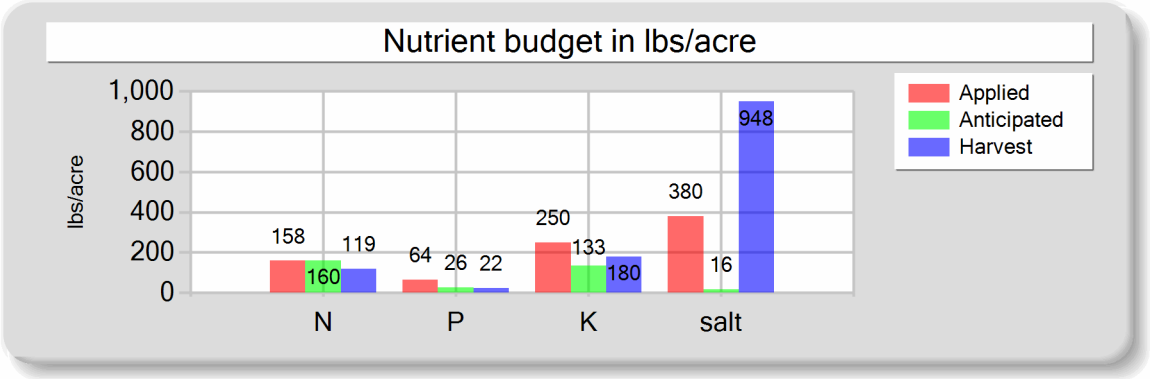

	Total N (lbs/acre)	Total P (lbs/acre)	Total K (lbs/acre)	Total salt (lbs/acre)
Existing soil nutrient content	0.00	0.00	0.00	0.00
Plowdown credit	0.00	0.00	0.00	0.00
Commercial fertilizer / Other	0.00	0.00	0.00	0.00
Dry manure	148.84	61.36	215.42	0.00
Process wastewater	2.47	2.50	34.72	292.53
Fresh water	0.02	0.00	0.00	87.00
Atmospheric deposition	7.00	0.00	0.00	0.00
Total nutrients applied	158.34	63.86	250.15	379.54
Anticipated crop nutrient removal	160.00	25.60	132.80	16.00
Actual crop nutrient removal	118.75	21.59	179.67	948.47
Nutrient balance	39.58	42.27	70.48	-568.93
Applied to removed ratio	1.33	2.96	1.39	0.40

Fresh water applied	
4,344,075.00	*gallons*
159.98	*acre-inches*
10.67	*inches/acre*

Process wastewater applied	
427,500.00	*gallons*
15.74	*acre-inches*
1.05	*inches/acre*

Total harvests for the crop	
1	*harvests*

Field 4 - 06/10/2023: Corn, silage

Field name: Field 4 Crop: Corn, silage Plant date: 06/10/2023

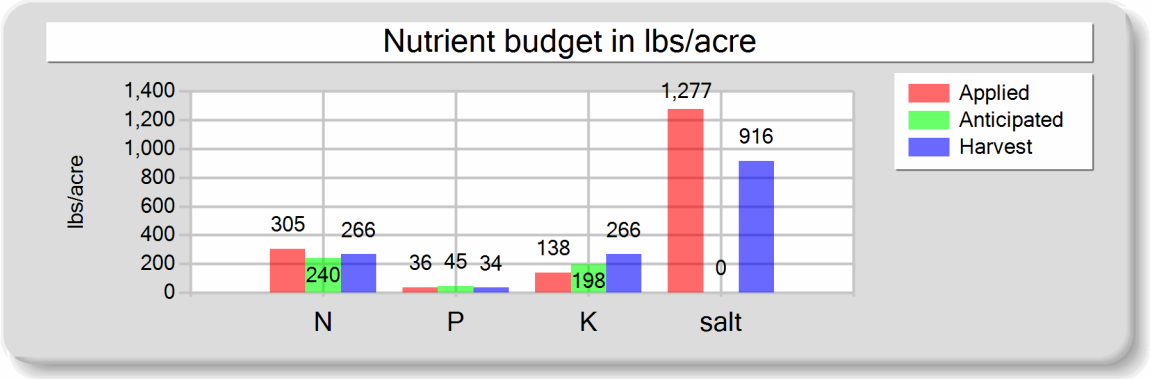

	Total N (lbs/acre)	Total P (lbs/acre)	Total K (lbs/acre)	Total salt (lbs/acre)
Existing soil nutrient content	0.00	0.00	0.00	0.00
Plowdown credit	0.00	0.00	0.00	0.00
Commercial fertilizer / Other	0.00	0.00	0.00	0.00
Dry manure	290.47	28.55	28.55	0.00
Process wastewater	7.77	7.84	109.04	918.66
Fresh water	0.10	0.00	0.00	358.13
Atmospheric deposition	7.00	0.00	0.00	0.00
Total nutrients applied	305.34	36.39	137.59	1,276.79
Anticipated crop nutrient removal	240.00	45.00	198.00	0.00
Actual crop nutrient removal	266.32	34.09	266.32	916.14
Nutrient balance	39.02	2.30	-128.72	360.65
Applied to removed ratio	1.15	1.07	0.52	1.39

Fresh water applied	
17,881,425.00	*gallons*
658.51	*acre-inches*
43.90	*inches/acre*

Process wastewater applied	
1,342,500.00	*gallons*
49.44	*acre-inches*
3.30	*inches/acre*

Total harvests for the crop	
1	*harvests*

NUTRIENT ANALYSES

A. MANURE ANALYSES

Solid Manure

Sample and source description: Solid Manure

Sample date: 05/24/2023 Material type: Corral solids Source of analysis: Lab analysis Method of reporting: Dry-weight

Moisture: 6.9 %

	Total N (mg/kg)	Total P (mg/kg)	Total K (mg/kg)	Calcium (mg/kg)	Magnesium (mg/kg)	Sodium (mg/kg)	Sulfur (mg/kg)	Chloride (mg/kg)	Total salt (mg/kg)	TFS (%)
Value	23,400.00	2,300.00	2,300.00							
DL	100.00	100.00	100.00							

Solid Manure

Sample and source description: Solid Manure

Sample date: 10/16/2023 Material type: Corral solids Source of analysis: Lab analysis Method of reporting: Dry-weight

Moisture: 18.4 %

	Total N (mg/kg)	Total P (mg/kg)	Total K (mg/kg)	Calcium (mg/kg)	Magnesium (mg/kg)	Sodium (mg/kg)	Sulfur (mg/kg)	Chloride (mg/kg)	Total salt (mg/kg)	TFS (%)
Value	11,400.00	4,700.00	16,500.00							
DL	100.00	100.00	100.00							

B. PROCESS WASTEWATER ANALYSES

Lagoon Water

Sample and source description: Lagoon Water

Sample date: 02/20/2023 Material type: Process wastewater Source of analysis: Lab analysis pH: 8.00

	Kjeldahl-N (mg/L)	NH4-N (mg/L)	NH3-N (mg/L)	Nitrate-N (mg/L)	Total P (mg/L)	Total K (mg/L)	Calcium (mg/L)	Magnes. (mg/L)	Sodium (mg/L)	Bicarb. (mg/L)	Carb. (mg/L)	Sulfate (mg/L)	Chloride (mg/L)	EC (µmhos/cm)	TDS (mg/L)
Value	66.90	30.30	0.00	0.60	22.90	264.00								2,880.00	1,560
DL	1.00	0.50	0.50	0.10	0.10	0.50								10.00	10

Waste water

Sample and source description: Waste water

Sample date: 06/14/2023 Material type: Process wastewater Source of analysis: Lab analysis pH: 8.70

	Kjeldahl-N (mg/L)	NH4-N (mg/L)	NH3-N (mg/L)	Nitrate-N (mg/L)	Total P (mg/L)	Total K (mg/L)	Calcium (mg/L)	Magnes. (mg/L)	Sodium (mg/L)	Bicarb. (mg/L)	Carb. (mg/L)	Sulfate (mg/L)	Chloride (mg/L)	EC (µmhos/cm)	TDS (mg/L)
Value	17.50	0.00	0.00	2.10	8.79	374.00								3,400.00	19,300
DL	1.00	0.50	0.50	0.10	0.10	0.50								10.00	10

Lagoon Water

Sample and source description: Lagoon Water

Sample date: 09/25/2023 Material type: Process wastewater Source of analysis: Lab analysis pH: 7.80

	Kjeldahl-N (mg/L)	NH4-N (mg/L)	NH3-N (mg/L)	Nitrate-N (mg/L)	Total P (mg/L)	Total K (mg/L)	Calcium (mg/L)	Magnes. (mg/L)	Sodium (mg/L)	Bicarb. (mg/L)	Carb. (mg/L)	Sulfate (mg/L)	Chloride (mg/L)	EC (µmhos/cm)	TDS (mg/L)
Value	10.30	1.04	0.00	0.10	10.50	146.00								1,870.00	1,230
DL	1.00	0.50	0.50	0.10	0.10	0.50								10.00	10

Lagoon Water

Sample and source description: Lagoon Water

Sample date: 11/15/2023 Material type: Process wastewater Source of analysis: Lab analysis pH: 8.90

	Kjeldahl-N (mg/L)	NH4-N (mg/L)	NH3-N (mg/L)	Nitrate-N (mg/L)	Total P (mg/L)	Total K (mg/L)	Calcium (mg/L)	Magnes. (mg/L)	Sodium (mg/L)	Bicarb. (mg/L)	Carb. (mg/L)	Sulfate (mg/L)	Chloride (mg/L)	EC (µmhos/cm)	TDS (mg/L)
Value	13.00	0.00	0.00	0.40	5.63	167.00								1,620.00	1,100
DL	1.00	0.50	0.10	0.10	0.10	0.50								10.00	10

C. FRESH WATER ANALYSES

Domestic Well - Morgan RD House

Domestic Well - Morgan RD House

Morgan RD House

Sample description: Morgan RD House

Sample date: 11/13/2023 Source of analysis: Lab analysis

	Total N (mg/L)	NH4-N (mg/L)	Nitrate-N (mg/L)	Calcium (mg/L)	Magnesium (mg/L)	Sodium (mg/L)	Bicarbonate (mg/L)	Carbonate (mg/L)	Sulfate (mg/L)	Chloride (mg/L)	EC (µmhos/cm)	TDS (mg/L)
Value			0.70								2,730.00	
DL			0.10								10.00	

Domestic Well - Morgan RD Milk Barn

Morgan RD Milk Barn

Sample description: Morgan RD Milk Barn

Sample date: 11/13/2023 Source of analysis: Lab analysis

	Total N (mg/L)	NH4-N (mg/L)	Nitrate-N (mg/L)	Calcium (mg/L)	Magnesium (mg/L)	Sodium (mg/L)	Bicarbonate (mg/L)	Carbonate (mg/L)	Sulfate (mg/L)	Chloride (mg/L)	EC (µmhos/cm)	TDS (mg/L)
Value			0.30								2,380.00	
DL			0.10								10.00	

Irrigation Water - Canal

Canal

Sample description: Canal

Sample date: 07/17/2023 Source of analysis: Lab analysis

	Total N (mg/L)	NH4-N (mg/L)	Nitrate-N (mg/L)	Calcium (mg/L)	Magnesium (mg/L)	Sodium (mg/L)	Bicarbonate (mg/L)	Carbonate (mg/L)	Sulfate (mg/L)	Chloride (mg/L)	EC (µmhos/cm)	TDS (mg/L)
Value	0.01										32.70	36
DL	0.01										10.00	10

D. SOIL ANALYSES

Field 1

Field #1

Sample and source description: Field #1

Sample date: 05/25/2023 Source of analysis: Lab analysis

	Nitrate-N (mg/kg)	Total P (mg/kg)	Soluble P (mg/kg)	K (mg/kg)	EC (µmhos/cm)	Organic matter (%)	Total salt (mg/kg)
Value			344.00			2.50	
DL			1.00			1.00	

Field 2

Field #2

Sample and source description: Field #2

Sample date: 05/25/2023 Source of analysis: Lab analysis

	Nitrate-N (mg/kg)	Total P (mg/kg)	Soluble P (mg/kg)	K (mg/kg)	EC (µmhos/cm)	Organic matter (%)	Total salt (mg/kg)
Value			362.00			2.40	
DL			1.00			1.00	

Field 3

Field #3

Sample and source description: Field #3

Sample date: 05/25/2023 Source of analysis: Lab analysis

	Nitrate-N (mg/kg)	Total P (mg/kg)	Soluble P (mg/kg)	K (mg/kg)	EC (µmhos/cm)	Organic matter (%)	Total salt (mg/kg)
Value			0.00			1.40	
DL			1.00			1.00	

Field 4

Field 4

Field #4

Sample and source description: Field #4

Sample date: 05/25/2023 Source of analysis: Lab analysis

	Nitrate-N (mg/kg)	Total P (mg/kg)	Soluble P (mg/kg)	K (mg/kg)	EC (µmhos/cm)	Organic matter (%)	Total salt (mg/kg)
Value			543.00			2.30	
DL			1.00			1.00	

E. PLANT TISSUE ANALYSES

Field 1 - 11/19/2022: Oats, silage-soft dough

Fld 1A

Sample and source description: Fld 1A

Sample date: 05/17/2023 Source of analysis: Lab analysis Method of reporting: Dry-weight

Moisture: 71.4 %

	Total N (mg/kg)	Total P (mg/kg)	Total K (mg/kg)	Total salt (mg/kg)	TFS (%)
Value	18,900.00	3,200.00	25,100.00		14.00
DL	0.01	0.01	0.01		0.01

Fld 1B

Sample and source description: Fld 1B

Sample date: 05/17/2023 Source of analysis: Lab analysis Method of reporting: Dry-weight

Moisture: 71.6 %

	Total N (mg/kg)	Total P (mg/kg)	Total K (mg/kg)	Total salt (mg/kg)	TFS (%)
Value	14,800.00	2,700.00	22,400.00		11.30
DL	0.01	0.01	0.01		0.01

Field 1 - 06/10/2023: Corn, silage

Field 1 - 06/10/2023: Corn, silage

Fld 1A

Sample and source description: Fld 1A

Sample date: 10/04/2023 Source of analysis: Lab analysis Method of reporting: Dry-weight

Moisture: 62.3 %

	Total N (mg/kg)	Total P (mg/kg)	Total K (mg/kg)	Total salt (mg/kg)	TFS (%)
Value	12,000.00	1,600.00	11,900.00		4.90
DL	100.00	100.00	100.00		0.01

Fld 1B

Sample and source description: Fld 1B

Sample date: 10/04/2023 Source of analysis: Lab analysis Method of reporting: Dry-weight

Moisture: 62.6 %

	Total N (mg/kg)	Total P (mg/kg)	Total K (mg/kg)	Total salt (mg/kg)	TFS (%)
Value	13,300.00	1,500.00	12,700.00		4.80
DL	100.00	100.00	100.00		0.01

Field 2 - 11/20/2022: Oats, silage-soft dough

Fld 2

Sample and source description: Fld 2

Sample date: 05/17/2023 Source of analysis: Lab analysis Method of reporting: Dry-weight

Moisture: 70.8 %

	Total N (mg/kg)	Total P (mg/kg)	Total K (mg/kg)	Total salt (mg/kg)	TFS (%)
Value	15,700.00	2,800.00	23,900.00		15.90
DL	0.01	0.01	0.01		0.01

Field 2 - 06/10/2023: Corn, silage

Field 2 - 06/10/2023: Corn, silage

Fld 2

Sample and source description: Fld 2

Sample date: 10/04/2023 Source of analysis: Lab analysis Method of reporting: Dry-weight

Moisture: 64.0 %

	Total N (mg/kg)	Total P (mg/kg)	Total K (mg/kg)	Total salt (mg/kg)	TFS (%)
Value	11,900.00	1,200.00	15,100.00		4.90
DL	100.00	100.00	100.00		0.01

Field 3 - 11/20/2022: Oats, silage-soft dough

Fld 3

Sample and source description: Fld 3

Sample date: 05/17/2023 Source of analysis: Lab analysis Method of reporting: Dry-weight

Moisture: 72.3 %

	Total N (mg/kg)	Total P (mg/kg)	Total K (mg/kg)	Total salt (mg/kg)	TFS (%)
Value	16,900.00	3,000.00	25,800.00		12.80
DL	0.01	0.01	0.01		0.01

Field 3 - 06/10/2023: Corn, silage

Fld 3

Sample and source description: Fld 3

Sample date: 10/04/2023 Source of analysis: Lab analysis Method of reporting: Dry-weight

Moisture: 61.7 %

	Total N (mg/kg)	Total P (mg/kg)	Total K (mg/kg)	Total salt (mg/kg)	TFS (%)
Value	13,300.00	2,100.00	12,600.00		4.80
DL	100.00	100.00	100.00		0.01

Field 4 - 11/20/2022: Oats, silage-soft dough

Fld 4

Sample and source description: Fld 4

Sample date: 05/17/2023 Source of analysis: Lab analysis Method of reporting: Dry-weight

Moisture: 70.9 %

	Total N (mg/kg)	Total P (mg/kg)	Total K (mg/kg)	Total salt (mg/kg)	TFS (%)
Value	15,400.00	2,800.00	23,300.00		12.30
DL	0.01	0.01	0.01		0.01

Field 4 - 06/10/2023: Corn, silage

Fld 4

Sample and source description: Fld 4

Sample date: 10/04/2023 Source of analysis: Lab analysis Method of reporting: Dry-weight

Moisture: 62.6 %

	Total N (mg/kg)	Total P (mg/kg)	Total K (mg/kg)	Total salt (mg/kg)	TFS (%)
Value	12,500.00	1,600.00	12,500.00		4.30
DL	100.00	100.00	100.00		0.01

F. SUBSURFACE (TILE) DRAINAGE ANALYSES

No subsurface (tile) drainage analyses entered.

NUTRIENT APPLICATIONS, POTENTIAL REMOVAL, AND BALANCE

A. SUMMARY OF NUTRIENT APPLICATIONS, POTENTIAL REMOVAL, AND BALANCE

	Total N (lbs)	Total P (lbs)	Total K (lbs)	Total salt (lbs)
Existing soil nutrient content	0.00	0.00	0.00	0.00
Plowdown credit	0.00	0.00	0.00	0.00
Commercial fertilizer / Other	0.00	0.00	0.00	0.00
Dry manure	67,855.54	16,483.66	48,836.42	0.00
Process wastewater	2,260.31	1,330.72	40,281.06	1,736,192.27
Fresh water	17.90	0.00	0.00	64,443.02
Atmospheric deposition	2,030.00	0.00	0.00	0.00
Total nutrients applied	72,163.75	17,814.38	89,117.49	1,800,635.29
Anticipated crop nutrient removal	58,000.00	10,237.00	47,966.00	2,320.00
Actual crop nutrient removal	57,157.99	8,306.48	67,398.06	310,840.44
Nutrient balance	15,005.76	9,507.90	21,719.43	1,489,794.85
Applied to removed ratio	1.26	2.14	1.32	5.79

B. POUNDS OF NUTRIENT APPLIED VS. CROP REMOVAL

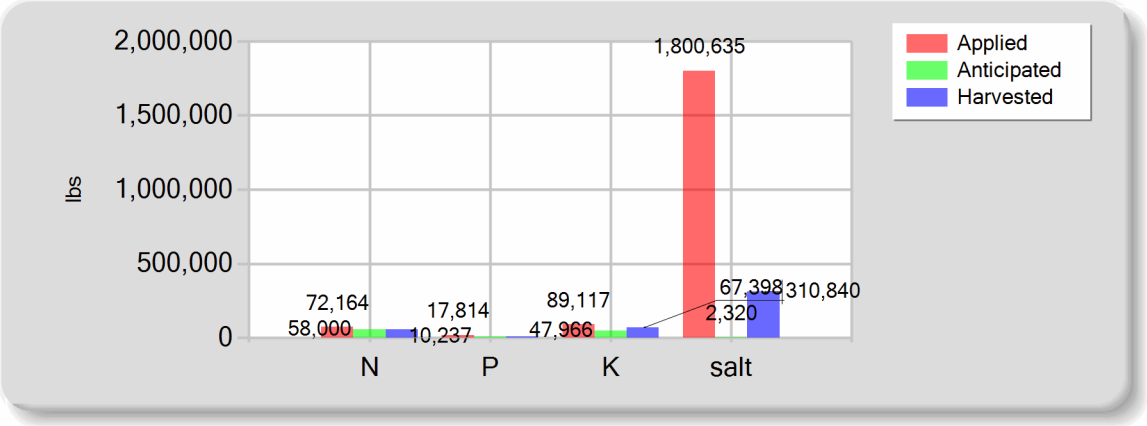

C. POUNDS OF NUTRIENT APPLIED BY MATERIAL TYPE

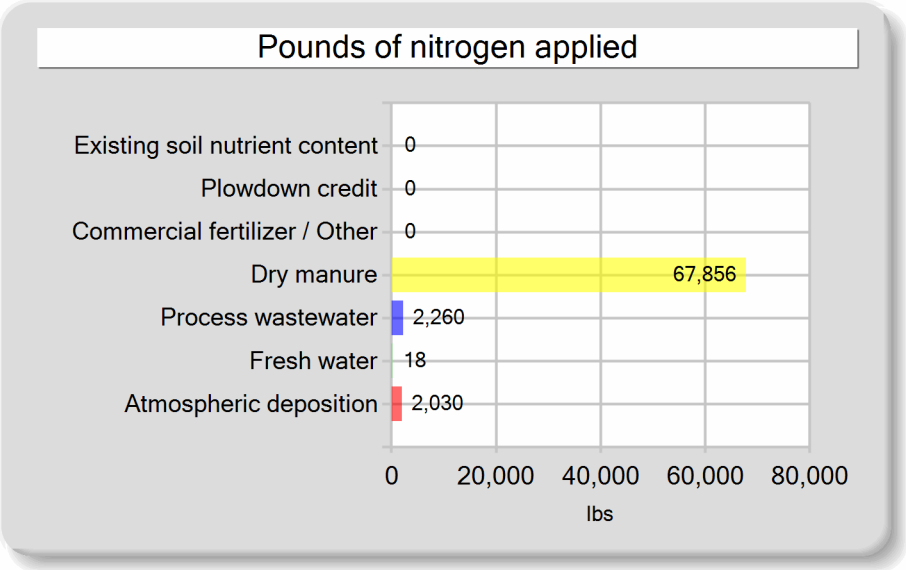

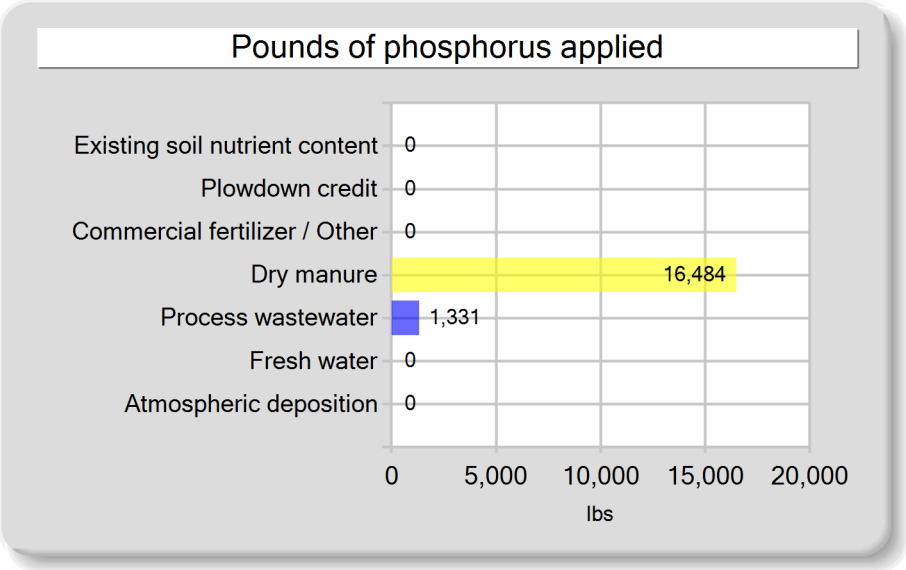

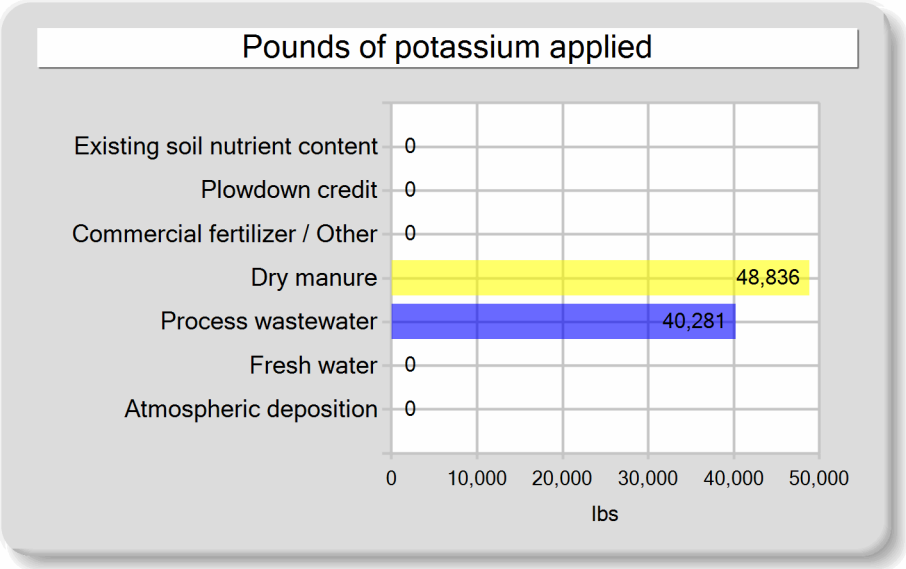

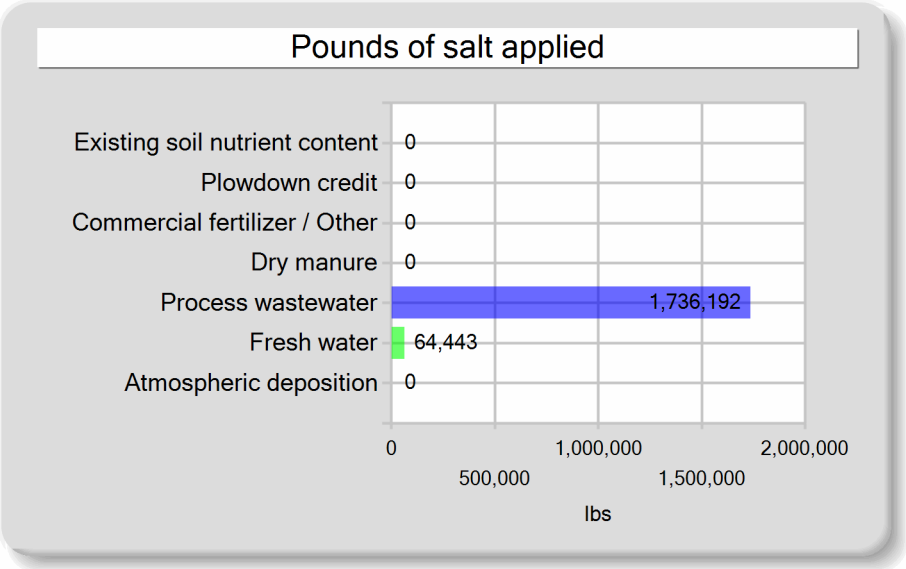

EXCEPTION REPORTING

A. MANURE, PROCESS WASTEWATER, AND OTHER DAIRY WASTE DISCHARGES

The following is a summary of all manure and process wastewater discharges from the production area to surface water or to land areas (land application areas or otherwise) when not in accordance with the facility's Nutrient Management Plan.

No manure or process wastewater discharges occurred during the reporting period.

B. STORM WATER DISCHARGES

The following is a summary of all storm water discharges from the production area to surface water during the reporting period when not in accordance with the facility 's Nutrient Management Plan.

No stormwater discharges occurred during the reporting period.

C. LAND APPLICATION AREA TO SURFACE WATER DISCHARGES

The following is a summary of all discharges from the land application area to surface water that have occurred during the reporting period when not in accordance with the facility's Nutrient Management Plan.

No land application area to surface water discharges occurred during the reporting period.

NUTRIENT MANAGEMENT PLAN AND EXPORT AGREEMENT STATEMENTS

A. NUTRIENT MANAGEMENT PLAN STATEMENTS

Was the facility's NMP updated in the reporting period?	Yes
Was the facility's NMP developed by a certified nutrient management planner (specialist) as specified in Attachment C of the General Order?	Yes
Was the facility's NMP approved by a certified nutrient management planner (specialist) as specified in Attachment C of the General Order?	Yes

B. EXPORT AGREEMENT STATEMENT

Are there any written agreements with third parties to receive manure or process wastewater that are new or were revised within the reporting period?	No

ADDITIONAL NOTES

A. NOTES

***Soluble phosphorus reported as olsen

CERTIFICATION

A. OWNER AND/OR OPERATOR CERTIFICATION

I certify under penalty of law that I have personally examined and am familiar with the information submitted in this document and all attachments and that, based on my inquiry of those individuals immediately responsible for obtaining the information, I believe that the information is true, accurate, and complete. I am aware that there are significant penalties for submitting false information, including the possibility of fine and imprisonment.

SIGNATURE OF OWNER OF FACILITY	SIGNATURE OF OPERATOR OF FACILITY
S & D Bylsma Dairy	SAME AS OWNER
PRINT OR TYPE NAME	PRINT OR TYPE NAME
06/19/2024	
DATE	DATE

DELLAVALLE™
LABORATORY INC

R & J Avila Inc
8119 Ellington Ave
Hilmar, CA 95324

Account# 00-0019840
Account Manager: Ben Nydam
Submitted By: Rui & John Avila
Ranch: Sallaberry Ranch

Received: 11/14/2023 15:45
Reported: 11/21/2023 09:19

Samples in this Report

Lab ID	Sample	Matrix	Sampled By	Crop	Date Sampled
23K0668-01	Morgan RD House	Ag Water	T. Madruga		11/13/2023 15:00
23K0668-02	Morgan RD Milk Barn	Ag Water	T. Madruga		11/13/2023 16:00

Default Cooler Temperature on Receipt °C: 4.4
Containers Intact
COC/Labels Agree
Received On Ice

Notes and Definitions

Item	Definition
H	Hold Time Exceeded
MCL	Drinking Water Maximum Contaminant Level
ND	Analyte NOT DETECTED at or above the reporting limit.
NES	Not Enough Sample
*	Not Taken
RPD	Relative Percent Difference
%REC	Percent Recovery
Source	Sample that was matrix spiked or duplicated.

Scott McFriedland

Laboratory Director/Technical Manager

ELAP Certification #1595
A2LA Certification #6440.02

The results in this report apply to the samples as received and were analyzed in accordance with the chain of custody document. This analytical report must be reproduced in its entirety. All results listed in this report are for the exclusive use of the submitting party. Dellavalle Laboratory, Inc. assumes no responsibility for report alteration, separation, detachment or third party interpretation.

DELLAVALLE™
LABORATORY INC

R & J Avila Inc
8119 Ellington Ave
Hilmar, CA 95324

Account# 00-0019840
Account Manager: Ben Nydam
Submitted By: Rui & John Avila
Ranch: Sallaberry Ranch

Received: 11/14/2023 15:45
Reported: 11/21/2023 09:19

Sample Results

Sample: Morgan RD House
23K0668-01 (Water)

Sampled: 11/13/2023 15:00
Sampled By: T. Madruga

Analyte	Result	Units	Reporting Limit	DIL	DW MCL	Date/Time Analyzed	Method	Notes	Batch
Electrical Conductivity	**2.73**	mmhos/cm	0.01	1		11/16/23 12:45	SM 2510 B		BEK0477
Electrical Conductivity umhos	**2730**	umhos/cm	10.0	1		11/16/23 12:45	SM 2510 B		BEK0477
Ammonia (as N)	ND	mg/L	0.00	1		11/13/23 15:00	Field		BEK0416
Nitrate Nitrogen as NO3N	**0.7**	mg/L	0.1	1	10	11/14/23 20:21	EPA 300.0		BEK0412
Temperature	**25.0**	units	0.0	1		11/16/23 12:45	SM 4500-H+	H	BEK0477
pH	**8.0**	units	1.0	1		11/16/23 12:45	SM 4500-H+	H	BEK0477

The results in this report apply to the samples as received and were analyzed in accordance with the chain of custody document. This analytical report must be reproduced in its entirety. All results listed in this report are for the exclusive use of the submitting party. Dellavalle Laboratory, Inc. assumes no responsibility for report alteration, separation, detachment or third party interpretation.

DELLAVALLE™
LABORATORY INC

R & J Avila Inc
8119 Ellington Ave
Hilmar, CA 95324

Account# 00-0019840
Account Manager: Ben Nydam
Submitted By: Rui & John Avila
Ranch: Sallaberry Ranch

Received: 11/14/2023 15:45
Reported: 11/21/2023 09:19

Sample Results
(Continued)

Sample: Morgan RD Milk Barn
23K0668-02 (Water)

Sampled: 11/13/2023 16:00
Sampled By: T. Madruga

Analyte	Result	Units	Reporting Limit	DIL	DW MCL	Date/Time Analyzed	Method	Notes	Batch
Electrical Conductivity	**2.38**	mmhos/cm	0.01	1		11/16/23 12:47	SM 2510 B		BEK0477
Electrical Conductivity umhos	**2380**	umhos/cm	10.0	1		11/16/23 12:47	SM 2510 B		BEK0477
Ammonia (as N)	ND	mg/L	0.00	1		11/13/23 16:00	Field		BEK0416
Nitrate Nitrogen as NO3N	**0.3**	mg/L	0.1	1	10	11/14/23 20:41	EPA 300.0		BEK0412
Temperature	**25.0**	units	0.0	1		11/16/23 12:47	SM 4500-H+	H	BEK0477
pH	**8.8**	units	1.0	1		11/16/23 12:47	SM 4500-H+	H	BEK0477

The results in this report apply to the samples as received and were analyzed in accordance with the chain of custody document. This analytical report must be reproduced in its entirety. All results listed in this report are for the exclusive use of the submitting party. Dellavalle Laboratory, Inc. assumes no responsibility for report alteration, separation, detachment or third party interpretation.

DELLAVALLE™
LABORATORY INC

R & J Avila Inc
8119 Ellington Ave
Hilmar, CA 95324

Account# 00-0019840
Account Manager: Ben Nydam
Submitted By: Rui & John Avila
Ranch: Sallaberry Ranch

Received: 11/14/2023 15:45
Reported: 11/21/2023 09:19

Quality Control

Analyte	Result	Qual	Reporting Limit	Units	Spike Level	Source Result	%REC	%REC Limits	RPD	RPD Limit
Batch: BEK0412										
Blank (BEK0412-BLK1)					Prepared & Analyzed: 11/14/2023					
Nitrate Nitrogen as NO3N	ND		0.1	mg/L						
Blank (BEK0412-BLK2)					Prepared & Analyzed: 11/14/2023					
Nitrate Nitrogen as NO3N	ND		0.1	mg/L						
Blank (BEK0412-BLK3)					Prepared: 11/14/2023 Analyzed: 11/15/2023					
Nitrate Nitrogen as NO3N	ND		0.1	mg/L						
LCS (BEK0412-BS1)					Prepared & Analyzed: 11/14/2023					
Nitrate Nitrogen as NO3N	5.0		0.1	mg/L	5.000		100	90-110		
LCS (BEK0412-BS2)					Prepared: 11/14/2023 Analyzed: 11/15/2023					
Nitrate Nitrogen as NO3N	5.0		0.1	mg/L	5.000		100	90-110		
Duplicate (BEK0412-DUP1)		**Source: 23K0676-01**			Prepared & Analyzed: 11/14/2023					
Nitrate Nitrogen as NO3N	15.7		0.1	mg/L		15.5			0.802	10
Duplicate (BEK0412-DUP2)		**Source: 23K0676-02**			Prepared: 11/14/2023 Analyzed: 11/15/2023					
Nitrate Nitrogen as NO3N	36.4		0.1	mg/L		36.4			0.0192	10
Matrix Spike (BEK0412-MS1)		**Source: 23K0676-01**			Prepared & Analyzed: 11/14/2023					
Nitrate Nitrogen as NO3N	20.6		0.1	mg/L	5.000	15.5	102	90-110		
Matrix Spike (BEK0412-MS2)		**Source: 23K0676-02**			Prepared: 11/14/2023 Analyzed: 11/15/2023					
Nitrate Nitrogen as NO3N	42.1		0.1	mg/L	5.000	36.4	113	90-110		
Reference (BEK0412-SRM1)					Prepared & Analyzed: 11/14/2023					
Nitrate Nitrogen as NO3N	9.8			mg/L	10.00		97.9	90-110		
Reference (BEK0412-SRM2)					Prepared: 11/14/2023 Analyzed: 11/15/2023					
Nitrate Nitrogen as NO3N	9.9			mg/L	10.00		98.7	90-110		
Reference (BEK0412-SRM3)					Prepared: 11/14/2023 Analyzed: 11/15/2023					
Nitrate Nitrogen as NO3N	9.9			mg/L	10.00		99.2	90-110		

The results in this report apply to the samples as received and were analyzed in accordance with the chain of custody document. This analytical report must be reproduced in its entirety. All results listed in this report are for the exclusive use of the submitting party. Dellavalle Laboratory, Inc. assumes no responsibility for report alteration, separation, detachment or third party interpretation.

DELLAVALLE™
LABORATORY INC

R & J Avila Inc
8119 Ellington Ave
Hilmar, CA 95324

Account# 00-0019840
Account Manager: Ben Nydam
Submitted By: Rui & John Avila
Ranch: Sallaberry Ranch

Received: 11/14/2023 15:45
Reported: 11/21/2023 09:19

Quality Control
(Continued)

Analyte	Result	Qual	Reporting Limit	Units	Spike Level	Source Result	%REC	%REC Limits	RPD	RPD Limit
Batch: BEK0477										
Blank (BEK0477-BLK1)					Prepared: 11/15/2023	Analyzed: 11/16/2023				
Temperature	25.0		0.0	units						
Electrical Conductivity	ND		0.01	mmhos/cm						
Electrical Conductivity umhos	ND		10.0	umhos/cm						
pH	5.5		1.0	units						
Blank (BEK0477-BLK2)					Prepared: 11/15/2023	Analyzed: 11/16/2023				
Electrical Conductivity	ND		0.01	mmhos/cm						
Temperature	25.0		0.0	units						
Electrical Conductivity umhos	ND		10.0	umhos/cm						
pH	7.5		1.0	units						
Blank (BEK0477-BLK3)					Prepared: 11/15/2023	Analyzed: 11/16/2023				
Electrical Conductivity	ND		0.01	mmhos/cm						
Temperature	25.0		0.0	units						
Electrical Conductivity umhos	ND		10.0	umhos/cm						
pH	7.3		1.0	units						
Duplicate (BEK0477-DUP1)		**Source: 23K0667-01**			Prepared: 11/15/2023	Analyzed: 11/16/2023				
Electrical Conductivity	4.04		0.01	mmhos/cm		4.04			0.0495	10
pH	7.8		1.0	units		7.6			1.82	10
Electrical Conductivity umhos	4040		10.0	umhos/cm		4040			0.0495	10
Duplicate (BEK0477-DUP2)		**Source: 23K0676-03**			Prepared: 11/15/2023	Analyzed: 11/16/2023				
Electrical Conductivity	1.35		0.01	mmhos/cm		1.36			0.791	10
Electrical Conductivity umhos	1350		10.0	umhos/cm		1360			0.791	10
pH	7.6		1.0	units		7.6			0.264	10
Reference (BEK0477-SRM1)					Prepared: 11/15/2023	Analyzed: 11/16/2023				
Electrical Conductivity	578			umhos/cm	538.0		107	90-110		
Reference (BEK0477-SRM2)					Prepared: 11/15/2023	Analyzed: 11/16/2023				
pH	7.5			units	7.520		100	67021-101.32		
Reference (BEK0477-SRM3)					Prepared: 11/15/2023	Analyzed: 11/16/2023				
Electrical Conductivity	1060			umhos/cm	1000		106	90-110		
Electrical Conductivity umhos	1060			umhos/cm	1000		106	90-110		
Reference (BEK0477-SRM4)					Prepared: 11/15/2023	Analyzed: 11/16/2023				
Electrical Conductivity	1080			umhos/cm	1000		108	90-110		
Electrical Conductivity umhos	1080			umhos/cm	1000		108	90-110		
Reference (BEK0477-SRM5)					Prepared: 11/15/2023	Analyzed: 11/16/2023				
Electrical Conductivity	1060			umhos/cm	1000		106	90-110		

The results in this report apply to the samples as received and were analyzed in accordance with the chain of custody document. This analytical report must be reproduced in its entirety. All results listed in this report are for the exclusive use of the submitting party. Dellavalle Laboratory, Inc. assumes no responsibility for report alteration, separation, detachment or third party interpretation.

DELLAVALLE™
LABORATORY INC

R & J Avila Inc
8119 Ellington Ave
Hilmar, CA 95324

Account# 00-0019840
Account Manager: Ben Nydam
Submitted By: Rui & John Avila
Ranch: Sallaberry Ranch

Received: 11/14/2023 15:45
Reported: 11/21/2023 09:19

Quality Control
(Continued)

Analyte	Result	Qual	Reporting Limit	Units	Spike Level	Source Result	%REC	%REC Limits	RPD	RPD Limit
Batch: BEK0477 (Continued)										
Reference (BEK0477-SRM5)					Prepared: 11/15/2023	Analyzed: 11/16/2023				
Electrical Conductivity umhos	1060			umhos/cm	1000		106	90-110		
Reference (BEK0477-SRM6)					Prepared: 11/15/2023	Analyzed: 11/16/2023				
pH	4.0			units	4.000		100	97.5-102.5		
Reference (BEK0477-SRM7)					Prepared: 11/15/2023	Analyzed: 11/16/2023				
pH	4.0			units	4.000		100	97.5-102.5		
Reference (BEK0477-SRM8)					Prepared: 11/15/2023	Analyzed: 11/16/2023				
pH	4.0			units	4.000		100	97.5-102.5		

The results in this report apply to the samples as received and were analyzed in accordance with the chain of custody document. This analytical report must be reproduced in its entirety. All results listed in this report are for the exclusive use of the submitting party. Dellavalle Laboratory, Inc. assumes no responsibility for report alteration, separation, detachment or third party interpretation.

11/14/23 15:45 23K0668

DELLAVALLE LABORATORY, INC.

1910 W. McKinley Avenue, Suite 110 • Fresno, CA 93728
www.dellavallelab.com 559 233-6129 · 800 228-9896 · Fax 559 ~~268~~-8174

JG

No. Samples: 2 No. of Bottles:

Purchase Order No | Bill To: Acct # 19840 | Cons # 08

Results Need By

Water Type: [ ] Drinking Water [ ] Wastewater
[X] Ag Water [ ] Groundwater [ ] Monitoring Well

Name: R & J Avila Inc
Address: 8119 Ellington Avenue
City: Hilmar **State: CA** **Zip:** 95324
Telephone: (209) 669-7919 **Fax:** (209) 634-4604
Cell/Email: 209 678-3086 Rui / 209 678-1723 John frontdesk.randjavila@gmail.com
COPY TO:

REQUESTED BY: Rui & John Avila
PROJECT Sallaberry Ranch
ID CROP: N/A

[X] Copy of Chain [X] QA/QC Documents
Sampled By: T. Madruga

Other:

Analysis and Bottles Required: (Please indicate Analysis)

(X) DWW1: EC, pH, NO_3-N (NH4-N Field Test)
(1-1 Liter Plastic, Unpreserved) White Per Sample
( ) DWW2: DWW1 Plus SO_4, CO_3, HCO_3, Cl, Ca, Mg, Na, TDS
(1-1 Liter Plastic, Unpreserved) White Per Sample
( ) DCW1: EC, NO_3-N, TDS + TKN & TN
(1-1 Liter Plastic, Unpreserved) White Per Sample
( ) DPW1: EC, pH, NO_3-N, NH_4-N, TKN, TDS, TP, TK
(1-1 Liter Plastic, Unpreserved) White Per Sample
( ) DPW2: DPW1 Plus SO_4, CO_3, HCO_3, Cl, Ca, Mg, Na
(1-1 Liter Plastic, Unpreserved) White Per Sample
( ) Other

	Description of Samples	Date Sampled	Time Sampled	Rec'd Temp °C	Field NH_4-N
1	Morgan RD House	11/13/2023	1500	4.4	ND
2	Morgan RD Milk Barn	11/13/2023	1600	3.4	ND
3					
4					
5					
6					
7					
8					
9					
10					

IR Thermometer SN: 192603727
Correction Factor: 0°C
Calibration Due: 12/22/2023
Location: Laboratory

CHAIN OF CUSTODY

Carrier	Signature	Company	Received (Date/Time)	Relinquished (Date/Time)
First	John Avila	R & J Avila, Inc.	11/13/2023 @ 1600	11/14/2023 @ 900
Second	JLP	Dellavalle Laboratory, Inc.	11/14/2023 @ 900	11-14-23 3:30
Third				
Fourth			11/14 15:45	

I guarantee that as the client, or on behalf of client named, I have the authority to contract the above requested services. Should it be found that I do not have such authority, I agree to be personally liable for all costs and, if there should be action against me for this breach, reasonable attorneys' fees. It is understood that payment is expected to be cash with samples unless terms have been previously arranged. Terms are net 30 days; overdue accounts will be charged a liquidated damage fee of 2% per month (annually 24%) or $5.00 per month whichever is greater.

If payment is not made when due and a legitimate dispute exists concerning the product or services of Dellavalle Laboratory, Inc., it will be submitted to mediation under the Rules and Procedures of Creative Alternative to Litigation, Inc. (*cal*). If the dispute is not resolved in mediation, then the dispute will be submitted to binding arbitration through ***cal*** under its Rules and Procedures. The parties will equally bear the costs of mediation/arbitration. If, however, the mediator declares that no legitimate dispute exists, then debtor will pay all mediation and arbitration costs, and in the event of arbitration,reasonable attorneys' fees of Dellavalle Laboratory.

Invoicing Information: ***Shipping***
Sampling hrs $ In
Miles $ Out
Consulting

Amt Paid	Rec By	Check #	Date

Signature

Samples recieved in cooler with ice (coolant)
[ ] Yes [ ] No

11/14/23 15:45 23K0668

Shipping Information: Fed Ex ☐ UPS ☐ GSO ☐ Picked-Up ☒ Walk In ☐ DLI Sampler ☐
Ontrac ☐ PMS ☐ USPS ☐ Other ☐ _____

Shipping Container: Ice Chest ☒ None ☐ Box ☐

Refrigerant: Wet Ice: ☒ Blue Ice: ☐ None: ☐

Container(s) Received	1	2	3	4	5	6	7	8	9	10
Plastics:										
100 mL sterile plastic $Na_2S_2O_3$ (Green)										
250 mL unpreserved (White)										
250 mL HNO_3 (Red)										
250 mL H_2SO_4 (Yellow)										
500 mL unpreserved (White)										
500 mL HNO_3 (Red)										
500 mL H_2SO_4 (Yellow)										
1 L unpreserved (White)	1	1								
1 L unpreserved (BOD) (Purple)										
1 L HNO_3 (Red)										
1 L H_2SO_4 (Yellow)										
VOA Vials in sets of 3:										
40 mL VOA, HCl (Blue)										
40 mL VOA, $Na_2S_2O_3$ (Green)										
40 mL VOA, unpreserved (White)										
Glass:										
250 mL AG unpreserved (White)										
250 mL AG H_2SO_4 (Yellow)										
250 mL AG $Na_2S_2O_3$ (Green)										
250 mL AG $Na_2S_2O_3$ + MCAA										
500 mL glass unpreserved (White)										
500 mL AG HCl (Blue)										
1 L AG unpreserved (White)										
1 L AG H_2SO_4 (Yellow)										
1 L AG $Na_2S_2O_3$ (Green)										
1 L AG HCl (Blue)										
Special:										
Cr^{6+} w/Borate/HCO3/CO3										
Cyanide - 500 mL NaOH										
Asbestos - 2 - 1L P wrapped in foil										
500 mL or 1 L **AP** $Na_2S_2O_3$ (Green)										
1 L **AG** or **P** NaOH + ZnAc (Sulfide)										
Chlorite/Bromate 250 mL AG with EDA										
TTHM										
HAA5										
40 mL VOA, $Na_2S_2O_3$ + MCAA										