Annual Report - General Order No. R5-2007-0035
Reporting period 01/01/2023 to 12/31/2023.

DAIRY FACILITY INFORMATION

A. NAME OF DAIRY OR BUSINESS OPERATING THE DAIRY: Double B Dairy

Physical address of dairy:

Number and Street	City	County	Zip Code
5817 E Worden AVE	Merced	Merced	95340

Street and nearest cross street (if no address):

Date facility was originally placed in operation: 01/01/1950

Regional Water Quality Control Board Basin Plan designation: San Joaquin River Basin

County Assessor Parcel Number(s) for dairy facility:

X066-X130-X024-XXXX X066-X130-X059-XXXX

B. OPERATORS

Bylsma, Wes

Operator name: Bylsma, Wes

Telephone no.: (209) 385-3996 Landline, (209) 564-8218 Cellular

Mailing Address Number and Street	City	State	Zip Code
7248 Worden AVE	Merced	CA	95341

This operator is responsible for paying permit fees.

C. OWNERS

Bylsma, Wes

Legal owner name: Bylsma, Wes

Telephone no.: (209) 385-3996 Landline, (209) 564-8218 Cellular

Mailing Address Number and Street	City	State	Zip Code
7248 Worden AVE	Merced	CA	95341

This owner is responsible for paying permit fees.

Annual Report - General Order No. R5-2007-0035
Reporting period 01/01/2023 to 12/31/2023.

AVAILABLE NUTRIENTS

A. HERD INFORMATION

	Milk Cows	Dry Cows	Bred Heifers (15-24 mo.)	Heifers (7-14 mo. to breeding)	Calves (4-6 mo.)	Calves (0-3 mo.)
Number open confinement	0	0	0	0	0	0
Number under roof	1,240	115	0	0	0	0
Maximum number	1,250	130	0	0	0	0
Average number	1,240	115	0	0	0	0
Avg live weight (lbs)	1,400	1,400	0	0		

Predominant milk cow breed: Holstein

Average milk production: 80 *pounds per cow per day*

B. MANURE GENERATED

Total manure excreted by the herd: 34,929.14 *tons per reporting period*

Total nitrogen from manure: 455,886.13 *lbs per reporting period*

After ammonia losses (30% loss applied): 319,120.29 *lbs per reporting period*

Total phosphorus from manure: 76,673.46 *lbs per reporting period*

Total potassium from manure: 245,618.24 *lbs per reporting period*

Total salt from manure: 610,298.25 *lbs per reporting period*

C. PROCESS WASTEWATER GENERATED

Process wastewater generated: 13,412,000 *gallons*

Total nitrogen generated: 214,771.62 *lbs*

Total phosphorus generated: 60,584.09 *lbs*

Total potassium generated: 101,934.09 *lbs*

Total salt generated: 497,041.55 *lbs*

	9,422,000	*gallons applied*
+	3,990,000	*gallons exported*
-	0	*gallons imported*
=	13,412,000	*gallons generated*

D. FRESH WATER SOURCES

Source Description	Type
IW 9	Ground water
MID Canal	Surface water

Annual Report - General Order No. R5-2007-0035
Reporting period 01/01/2023 to 12/31/2023.

E. SUBSURFACE (TILE) DRAINAGE SOURCES

No subsurface (tile) drainage sources entered.

F. NUTRIENT IMPORTS

No dry manure nutrient imports entered.

No process wastewater nutrient imports entered.

Date	Material type / Description	Quantity	Reporting basis	Moisture (%)	N (%)	P (%)	K (%)	Salt (%)
05/08/2023	Solid commercial fertilizer *10-0-10*	24.26 *ton*	As-is	0.1	10.000000	0.000000	0.000000	0.000000
07/10/2023	Solid commercial fertilizer *UN 32*	32.54 *ton*	Dry-weight	0.1	32.000000	0.000000	0.000000	0.000000

Material type	Total N (lbs)	Total P (lbs)	Total K (lbs)	Total salt (lbs)
Commercial fertilizer / Other	25,656.77	0.00	0.00	0.00
Dry manure	0.00	0.00	0.00	0.00
Process wastewater	0.00	0.00	0.00	0.00
Total imports for all materials	25,656.77	0.00	0.00	0.00

G. NUTRIENT EXPORTS

Date	Material type	Quantity	Reporting basis	Moisture (%)	Density (lbs/cu ft)	N (mg/kg)	P (mg/kg)	K (mg/kg)	Salt (mg/kg)	TFS (%)
02/22/2023	Separator solids	1,395.95 *ton*	Dry-weight	75.8		23,000.00	3,100.00	4,800.00		0.00
08/31/2023	Separator solids	575.47 *ton*	Dry-weight	75.0		24,500.00	7,200.00	18,200.00		17.30
10/25/2023	Corral solids	775.00 *ton*	Dry-weight	43.6		23,900.00	7,400.00	23,900.00		37.50
10/27/2023	Separator solids	800.00 *ton*	Dry-weight	75.0		24,500.00	7,200.00	18,200.00		17.30
12/19/2023	Separator solids	1,154.73 *ton*	Dry-weight	75.0		24,500.00	7,200.00	18,200.00		17.30

Date	Material type	Quantity	Kjeldahl-N (mg/L)	Ammonium-N (mg/L)	Ammonia-N (mg/L)	Nitrate-N (mg/L)	P (mg/L)	K (mg/L)	EC (µmhos/cm)	TDS (mg/L)
06/15/2023	Process wastewater sludge	3,990,000.00 *gal*	4,580.00	782.00	0.00	1.30	1,500.00	1,060.00		5,600

Material type	Total N (lbs)	Total P (lbs)	Total K (lbs)	Total salt (lbs)
Dry manure	67,428.05	17,672.28	47,161.27	546,687.30
Process wastewater	152,541.48	49,944.83	35,294.34	186,460.68
Total exports for all materials	219,969.53	67,617.11	82,455.61	733,147.98

Annual Report - General Order No. R5-2007-0035
Reporting period 01/01/2023 to 12/31/2023.

APPLICATION AREA

A. LIST OF LAND APPLICATION AREAS

Field name	Controlled acres	Cropable acres	Total harvests	Type of waste applied	Parcel number
Field 1	32	32	2	process wastewater	X066-X130-X038-XXXX
Field 2	25	25	2	process wastewater	X066-X130-X024-XXXX X066-X130-X025-XXXX
Field 3	21	21	2	process wastewater	X066-X130-X026-XXXX
Field 4A	47	47	0	none	X067-X100-X050-XXXX X067-X100-X051-XXXX X067-X100-X052-XXXX
Field 4B	28	28	1	none	X067-X100-X051-XXXX
Field 5A	24	24	1	none	X067-X100-X045-XXXX
Field 5B	31	31	1	none	X067-X100-X045-XXXX
Field 6A	9	9	2	process wastewater	X067-X100-X004-XXXX X067-X100-X031-XXXX
Field 6B	8	8	2	process wastewater	X067-X100-X004-XXXX X067-X100-X031-XXXX
Field 7	74	74	2	process wastewater	X067-X100-X027-XXXX X067-X100-X028-XXXX X067-X100-X030-XXXX X067-X100-X039-XXXX
Totals for areas that were used for application	169	169	12		
Totals for areas that were not used for application	130	130	3		
Land application area totals	299	299	15		

B. CROPS AND HARVESTS

Field 1

Field name: Field 1

Annual Report - General Order No. R5-2007-0035
Reporting period 01/01/2023 to 12/31/2023.

Field 1

11/01/2022: Wheat, silage, soft dough

Crop: Wheat, silage, soft dough Acres planted: 28 Plant date: 11/01/2022

Harvest date	Yield	Reporting basis	Density (lbs/cu ft)	Moisture (%)	N (mg/kg)	P (mg/kg)	K (mg/kg)	Salt (mg/kg)	TFS (%)
05/02/2023	319.30 *ton*	As-is		63.0	7,900.00	1,100.00	6,900.00		5.50

	Yield (tons/acre)	Total N (lbs/acre)	Total P (lbs/acre)	Total K (lbs/acre)	Salt (lbs/acre)
Anticipated harvest content	13.00	182.00	26.00	143.00	0.00
Total actual harvest content	11.40	180.18	25.09	157.37	464.13

05/30/2023: Corn, silage

Crop: Corn, silage Acres planted: 28 Plant date: 05/30/2023

Harvest date	Yield	Reporting basis	Density (lbs/cu ft)	Moisture (%)	N (mg/kg)	P (mg/kg)	K (mg/kg)	Salt (mg/kg)	TFS (%)
09/20/2023	546.00 *ton*	As-is		65.1	4,600.00	1,000.00	6,700.00		6.40

	Yield (tons/acre)	Total N (lbs/acre)	Total P (lbs/acre)	Total K (lbs/acre)	Salt (lbs/acre)
Anticipated harvest content	24.00	264.00	48.00	288.00	0.00
Total actual harvest content	19.50	179.40	39.00	261.30	871.10

Field 2

Field name: Field 2

11/01/2022: Wheat, silage, soft dough

Crop: Wheat, silage, soft dough Acres planted: 25 Plant date: 11/01/2022

Harvest date	Yield	Reporting basis	Density (lbs/cu ft)	Moisture (%)	N (mg/kg)	P (mg/kg)	K (mg/kg)	Salt (mg/kg)	TFS (%)
05/08/2023	409.10 *ton*	As-is		70.9	6,100.00	1,100.00	7,400.00		8.30

	Yield (tons/acre)	Total N (lbs/acre)	Total P (lbs/acre)	Total K (lbs/acre)	Salt (lbs/acre)
Anticipated harvest content	13.00	182.00	26.00	143.00	0.00
Total actual harvest content	16.36	199.64	36.00	242.19	790.48

Annual Report - General Order No. R5-2007-0035
Reporting period 01/01/2023 to 12/31/2023.

Field 2

05/30/2023: Corn, silage

Crop: Corn, silage Acres planted: 25 Plant date: 05/30/2023

Harvest date	Yield	Reporting basis	Density (lbs/cu ft)	Moisture (%)	N (mg/kg)	P (mg/kg)	K (mg/kg)	Salt (mg/kg)	TFS (%)
09/20/2023	453.00 *ton*	As-is		64.7	5,200.00	1,000.00	5,300.00		5.80

	Yield (tons/acre)	Total N (lbs/acre)	Total P (lbs/acre)	Total K (lbs/acre)	Salt (lbs/acre)
Anticipated harvest content	24.00	264.00	48.00	288.00	0.00
Total actual harvest content	18.12	188.45	36.24	192.07	741.98

Field 3

Field name: Field 3

11/01/2022: Wheat, silage, soft dough

Crop: Wheat, silage, soft dough Acres planted: 21 Plant date: 11/01/2022

Harvest date	Yield	Reporting basis	Density (lbs/cu ft)	Moisture (%)	N (mg/kg)	P (mg/kg)	K (mg/kg)	Salt (mg/kg)	TFS (%)
05/08/2023	369.20 *ton*	As-is		63.8	8,400.00	1,200.00	7,400.00		5.90

	Yield (tons/acre)	Total N (lbs/acre)	Total P (lbs/acre)	Total K (lbs/acre)	Salt (lbs/acre)
Anticipated harvest content	13.00	182.00	26.00	143.00	0.00
Total actual harvest content	17.58	295.36	42.19	260.20	750.99

05/30/2023: Corn, silage

Crop: Corn, silage Acres planted: 21 Plant date: 05/30/2023

Harvest date	Yield	Reporting basis	Density (lbs/cu ft)	Moisture (%)	N (mg/kg)	P (mg/kg)	K (mg/kg)	Salt (mg/kg)	TFS (%)
09/20/2023	433.00 *ton*	As-is		66.2	5,300.00	800.00	5,700.00		6.90

	Yield (tons/acre)	Total N (lbs/acre)	Total P (lbs/acre)	Total K (lbs/acre)	Salt (lbs/acre)
Anticipated harvest content	24.00	264.00	48.00	288.00	0.00
Total actual harvest content	20.62	218.56	32.99	235.06	961.75

Annual Report - General Order No. R5-2007-0035
Reporting period 01/01/2023 to 12/31/2023.

Field 4B

Field name: Field 4B

02/01/2020: Almond, in shell

Crop: Almond, in shell Acres planted: 28 Plant date: 02/01/2020

Harvest date	Yield	Reporting basis	Density (lbs/cu ft)	Moisture (%)	N (mg/kg)	P (mg/kg)	K (mg/kg)	Salt (mg/kg)	TFS (%)
09/10/2023	57.01 *ton*	As-is		5.2	9,900.00	1,400.00	17,400.00		6.40

	Yield (tons/acre)	Total N (lbs/acre)	Total P (lbs/acre)	Total K (lbs/acre)	Salt (lbs/acre)
Anticipated harvest content	3.00	102.00	12.00	123.00	0.00
Total actual harvest content	2.04	40.31	5.70	70.86	247.07

Field 5A

Field name: Field 5A

01/01/2022: Almond, in shell

Crop: Almond, in shell Acres planted: 24 Plant date: 01/01/2022

Harvest date	Yield	Reporting basis	Density (lbs/cu ft)	Moisture (%)	N (mg/kg)	P (mg/kg)	K (mg/kg)	Salt (mg/kg)	TFS (%)
12/31/2023	0.01 *ton*	Dry-weight		0.1	0.00	0.00	0.00		0.00

	Yield (tons/acre)	Total N (lbs/acre)	Total P (lbs/acre)	Total K (lbs/acre)	Salt (lbs/acre)
Anticipated harvest content	3.00	102.00	12.00	123.00	0.00
Total actual harvest content	0.00	0.00	0.00	0.00	0.00

Field 5B

Field name: Field 5B

Annual Report - General Order No. R5-2007-0035
Reporting period 01/01/2023 to 12/31/2023.

Field 5B

11/01/2016: Almond, in shell

Crop: Almond, in shell Acres planted: 31 Plant date: 11/01/2016

Harvest date	Yield	Reporting basis	Density (lbs/cu ft)	Moisture (%)	N (mg/kg)	P (mg/kg)	K (mg/kg)	Salt (mg/kg)	TFS (%)
09/20/2023	99.50 *ton*	As-is		5.3	11,200.00	1,800.00	20,900.00		6.50

	Yield (tons/acre)	Total N (lbs/acre)	Total P (lbs/acre)	Total K (lbs/acre)	Salt (lbs/acre)
Anticipated harvest content	3.00	102.00	12.00	123.00	0.00
Total actual harvest content	3.21	71.90	11.55	134.16	395.14

Field 6A

Field name: Field 6A

11/01/2022: Wheat, silage, soft dough

Crop: Wheat, silage, soft dough Acres planted: 9 Plant date: 11/01/2022

Harvest date	Yield	Reporting basis	Density (lbs/cu ft)	Moisture (%)	N (mg/kg)	P (mg/kg)	K (mg/kg)	Salt (mg/kg)	TFS (%)
05/15/2023	209.70 *ton*	As-is		57.3	6,000.00	1,100.00	6,000.00		8.50

	Yield (tons/acre)	Total N (lbs/acre)	Total P (lbs/acre)	Total K (lbs/acre)	Salt (lbs/acre)
Anticipated harvest content	13.00	182.00	26.00	143.00	0.00
Total actual harvest content	23.30	279.60	51.26	279.60	1,691.35

05/30/2023: Corn, silage

Crop: Corn, silage Acres planted: 9 Plant date: 05/30/2023

Harvest date	Yield	Reporting basis	Density (lbs/cu ft)	Moisture (%)	N (mg/kg)	P (mg/kg)	K (mg/kg)	Salt (mg/kg)	TFS (%)
09/21/2023	225.00 *ton*	As-is		69.1	4,300.00	900.00	4,200.00		6.00

	Yield (tons/acre)	Total N (lbs/acre)	Total P (lbs/acre)	Total K (lbs/acre)	Salt (lbs/acre)
Anticipated harvest content	24.00	264.00	48.00	288.00	0.00
Total actual harvest content	25.00	215.00	45.00	210.00	927.00

Annual Report - General Order No. R5-2007-0035
Reporting period 01/01/2023 to 12/31/2023.

Field 6B

Field name: Field 6B

11/01/2022: Wheat, silage, soft dough

Crop: Wheat, silage, soft dough Acres planted: 8 Plant date: 11/01/2022

Harvest date	Yield	Reporting basis	Density (lbs/cu ft)	Moisture (%)	N (mg/kg)	P (mg/kg)	K (mg/kg)	Salt (mg/kg)	TFS (%)
05/15/2023	186.40 *ton*	As-is		57.3	6,000.00	1,100.00	6,000.00		8.50

	Yield (tons/acre)	Total N (lbs/acre)	Total P (lbs/acre)	Total K (lbs/acre)	Salt (lbs/acre)
Anticipated harvest content	13.00	182.00	26.00	143.00	0.00
Total actual harvest content	23.30	279.60	51.26	279.60	1,691.35

05/30/2023: Corn, silage

Crop: Corn, silage Acres planted: 8 Plant date: 05/30/2023

Harvest date	Yield	Reporting basis	Density (lbs/cu ft)	Moisture (%)	N (mg/kg)	P (mg/kg)	K (mg/kg)	Salt (mg/kg)	TFS (%)
09/21/2023	200.00 *ton*	As-is		69.1	4,300.00	900.00	4,200.00		6.00

	Yield (tons/acre)	Total N (lbs/acre)	Total P (lbs/acre)	Total K (lbs/acre)	Salt (lbs/acre)
Anticipated harvest content	24.00	264.00	48.00	288.00	0.00
Total actual harvest content	25.00	215.00	45.00	210.00	927.00

Field 7

Field name: Field 7

11/01/2022: Wheat, silage, soft dough

Crop: Wheat, silage, soft dough Acres planted: 74 Plant date: 11/01/2022

Harvest date	Yield	Reporting basis	Density (lbs/cu ft)	Moisture (%)	N (mg/kg)	P (mg/kg)	K (mg/kg)	Salt (mg/kg)	TFS (%)
05/15/2023	1,607.70 *ton*	As-is		61.7	6,700.00	1,300.00	6,100.00		9.90

	Yield (tons/acre)	Total N (lbs/acre)	Total P (lbs/acre)	Total K (lbs/acre)	Salt (lbs/acre)
Anticipated harvest content	13.00	182.00	26.00	143.00	0.00
Total actual harvest content	21.73	291.12	56.49	265.05	1,647.54

Annual Report - General Order No. R5-2007-0035
Reporting period 01/01/2023 to 12/31/2023.

Field 7

05/30/2023: Corn, silage

Crop: Corn, silage Acres planted: 74 Plant date: 05/30/2023

Harvest date	Yield	Reporting basis	Density (lbs/cu ft)	Moisture (%)	N (mg/kg)	P (mg/kg)	K (mg/kg)	Salt (mg/kg)	TFS (%)
09/22/2023	1,901.00 *ton*	As-is		66.1	4,500.00	800.00	2,300.00		4.30

	Yield (tons/acre)	Total N (lbs/acre)	Total P (lbs/acre)	Total K (lbs/acre)	Salt (lbs/acre)
Anticipated harvest content	24.00	264.00	48.00	288.00	0.00
Total actual harvest content	25.69	231.20	41.10	118.17	748.94

Annual Report - General Order No. R5-2007-0035
Reporting period 01/01/2023 to 12/31/2023.

NUTRIENT BUDGET

A. LAND APPLICATIONS

Field 1 - 11/01/2022: Wheat, silage, soft dough

Field name: Field 1

Crop: Wheat, silage, soft dough — Plant date: 11/01/2022

Application date	Application method	Precipitation 24 hours prior	Precipitation during application	Precipitation 24 hours following
10/25/2022	Surface (irrigation)	No precipitation	No precipitation	No precipitation

Source description	Material type	N (lbs/acre)	P (lbs/acre)	K (lbs/acre)	Salt (lbs/acre)	Amount
WWS	Process wastewater	109.95	10.56	167.63	960.49	864,000.00 *gal*
MID Canal	Surface water	1.52	0.00	0.00	48.71	5,107,200.00 *gal*
Application event totals		111.48	10.56	167.63	1,009.19	

Application date	Application method	Precipitation 24 hours prior	Precipitation during application	Precipitation 24 hours following
01/22/2023	Surface (irrigation)	No precipitation	No precipitation	No precipitation

Source description	Material type	N (lbs/acre)	P (lbs/acre)	K (lbs/acre)	Salt (lbs/acre)	Amount
WWS	Process wastewater	125.53	4.21	19.55	783.24	720,000.00 *gal*
Application event totals		125.53	4.21	19.55	783.24	

Field 1 - 05/30/2023: Corn, silage

Field name: Field 1

Crop: Corn, silage — Plant date: 05/30/2023

Application date	Application method	Precipitation 24 hours prior	Precipitation during application	Precipitation 24 hours following
05/27/2023	Surface (irrigation)	No precipitation	No precipitation	No precipitation

Source description	Material type	N (lbs/acre)	P (lbs/acre)	K (lbs/acre)	Salt (lbs/acre)	Amount
MID Canal	Surface water	1.44	0.00	0.00	46.14	4,838,400.00 *gal*
Application event totals		1.44	0.00	0.00	46.14	

Annual Report - General Order No. R5-2007-0035
Reporting period 01/01/2023 to 12/31/2023.

Field 1 - 05/30/2023: Corn, silage

Application date	Application method	Precipitation 24 hours prior	Precipitation during application	Precipitation 24 hours following
07/09/2023	Surface (irrigation)	No precipitation	No precipitation	No precipitation

Source description	Material type	N (lbs/acre)	P (lbs/acre)	K (lbs/acre)	Salt (lbs/acre)	Amount
WWS	Process wastewater	132.99	29.53	238.05	1,110.12	768,000.00 *gal*
MID Canal	Surface water	1.28	0.00	0.00	41.02	4,300,800.00 *gal*
Application event totals		134.27	29.53	238.05	1,151.14	

Application date	Application method	Precipitation 24 hours prior	Precipitation during application	Precipitation 24 hours following
07/22/2023	Surface (irrigation)	No precipitation	No precipitation	No precipitation

Source description	Material type	N (lbs/acre)	P (lbs/acre)	K (lbs/acre)	Salt (lbs/acre)	Amount
MID Canal	Surface water	0.88	0.00	0.00	28.20	2,956,800.00 *gal*
Application event totals		0.88	0.00	0.00	28.20	

Application date	Application method	Precipitation 24 hours prior	Precipitation during application	Precipitation 24 hours following
07/31/2023	Surface (irrigation)	No precipitation	No precipitation	No precipitation

Source description	Material type	N (lbs/acre)	P (lbs/acre)	K (lbs/acre)	Salt (lbs/acre)	Amount
MID Canal	Surface water	1.12	0.00	0.00	35.89	3,763,200.00 *gal*
Application event totals		1.12	0.00	0.00	35.89	

Application date	Application method	Precipitation 24 hours prior	Precipitation during application	Precipitation 24 hours following
08/07/2023	Surface (irrigation)	No precipitation	No precipitation	No precipitation

Source description	Material type	N (lbs/acre)	P (lbs/acre)	K (lbs/acre)	Salt (lbs/acre)	Amount
WWS	Process wastewater	99.74	22.15	178.54	832.59	576,000.00 *gal*
MID Canal	Surface water	1.00	0.00	0.00	32.04	3,360,000.00 *gal*
Application event totals		100.74	22.15	178.54	864.64	

Application date	Application method	Precipitation 24 hours prior	Precipitation during application	Precipitation 24 hours following
08/16/2023	Surface (irrigation)	No precipitation	No precipitation	No precipitation

Source description	Material type	N (lbs/acre)	P (lbs/acre)	K (lbs/acre)	Salt (lbs/acre)	Amount
MID Canal	Surface water	1.20	0.00	0.00	38.45	4,032,000.00 *gal*
Application event totals		1.20	0.00	0.00	38.45	

Application date	Application method	Precipitation 24 hours prior	Precipitation during application	Precipitation 24 hours following
08/26/2023	Surface (irrigation)	No precipitation	No precipitation	No precipitation

Source description	Material type	N (lbs/acre)	P (lbs/acre)	K (lbs/acre)	Salt (lbs/acre)	Amount
MID Canal	Surface water	0.96	0.00	0.00	30.76	3,225,600.00 *gal*
Application event totals		0.96	0.00	0.00	30.76	

Annual Report - General Order No. R5-2007-0035
Reporting period 01/01/2023 to 12/31/2023.

Field 1 - 05/30/2023: Corn, silage

Application date	Application method	Precipitation 24 hours prior	Precipitation during application	Precipitation 24 hours following
09/04/2023	Surface (irrigation)	No precipitation	No precipitation	No precipitation

Source description	Material type	N (lbs/acre)	P (lbs/acre)	K (lbs/acre)	Salt (lbs/acre)	Amount
MID Canal	Surface water	0.84	0.00	0.00	26.92	2,822,400.00 *gal*
Application event totals		0.84	0.00	0.00	26.92	

Field 2 - 11/01/2022: Wheat, silage, soft dough

Field name: Field 2

Crop: Wheat, silage, soft dough

Plant date: 11/01/2022

Application date	Application method	Precipitation 24 hours prior	Precipitation during application	Precipitation 24 hours following
11/22/2022	Surface (irrigation)	No precipitation	No precipitation	No precipitation

Source description	Material type	N (lbs/acre)	P (lbs/acre)	K (lbs/acre)	Salt (lbs/acre)	Amount
WWS	Process wastewater	109.47	10.51	166.89	956.22	768,000.00 *gal*
MID Canal	Surface water	1.44	0.00	0.00	45.94	4,300,800.00 *gal*
Application event totals		110.90	10.51	166.89	1,002.16	

Application date	Application method	Precipitation 24 hours prior	Precipitation during application	Precipitation 24 hours following
02/11/2023	Surface (irrigation)	No precipitation	No precipitation	No precipitation

Source description	Material type	N (lbs/acre)	P (lbs/acre)	K (lbs/acre)	Salt (lbs/acre)	Amount
WWS	Process wastewater	121.85	4.08	18.98	760.26	624,000.00 *gal*
Application event totals		121.85	4.08	18.98	760.26	

Field 2 - 05/30/2023: Corn, silage

Field name: Field 2

Crop: Corn, silage

Plant date: 05/30/2023

Application date	Application method	Precipitation 24 hours prior	Precipitation during application	Precipitation 24 hours following

Annual Report - General Order No. R5-2007-0035
Reporting period 01/01/2023 to 12/31/2023.

Field 2 - 05/30/2023: Corn, silage

Application date	Application method	Precipitation 24 hours prior	Precipitation during application	Precipitation 24 hours following
05/25/2023	Surface (irrigation)	No precipitation	No precipitation	No precipitation

Source description	Material type	N (lbs/acre)	P (lbs/acre)	K (lbs/acre)	Salt (lbs/acre)	Amount
MID Canal	Surface water	1.35	0.00	0.00	43.07	4,032,000.00 *gal*
Application event totals		1.35	0.00	0.00	43.07	

Application date	Application method	Precipitation 24 hours prior	Precipitation during application	Precipitation 24 hours following
07/07/2023	Surface (irrigation)	No precipitation	No precipitation	No precipitation

Source description	Material type	N (lbs/acre)	P (lbs/acre)	K (lbs/acre)	Salt (lbs/acre)	Amount
MID Canal	Surface water	1.17	0.00	0.00	37.33	3,494,400.00 *gal*
Application event totals		1.17	0.00	0.00	37.33	

Application date	Application method	Precipitation 24 hours prior	Precipitation during application	Precipitation 24 hours following
07/20/2023	Surface (irrigation)	No precipitation	No precipitation	No precipitation

Source description	Material type	N (lbs/acre)	P (lbs/acre)	K (lbs/acre)	Salt (lbs/acre)	Amount
WWS	Process wastewater	111.96	24.80	199.96	932.50	576,000.00 *gal*
MID Canal	Surface water	0.90	0.00	0.00	28.71	2,688,000.00 *gal*
Application event totals		112.86	24.80	199.96	961.22	

Application date	Application method	Precipitation 24 hours prior	Precipitation during application	Precipitation 24 hours following
07/29/2023	Surface (irrigation)	No precipitation	No precipitation	No precipitation

Source description	Material type	N (lbs/acre)	P (lbs/acre)	K (lbs/acre)	Salt (lbs/acre)	Amount
MID Canal	Surface water	1.21	0.00	0.00	38.76	3,628,800.00 *gal*
Application event totals		1.21	0.00	0.00	38.76	

Application date	Application method	Precipitation 24 hours prior	Precipitation during application	Precipitation 24 hours following
08/05/2023	Surface (irrigation)	No precipitation	No precipitation	No precipitation

Source description	Material type	N (lbs/acre)	P (lbs/acre)	K (lbs/acre)	Salt (lbs/acre)	Amount
MID Canal	Surface water	0.99	0.00	0.00	31.58	2,956,800.00 *gal*
Application event totals		0.99	0.00	0.00	31.58	

Application date	Application method	Precipitation 24 hours prior	Precipitation during application	Precipitation 24 hours following
08/14/2023	Surface (irrigation)	No precipitation	No precipitation	No precipitation

Source description	Material type	N (lbs/acre)	P (lbs/acre)	K (lbs/acre)	Salt (lbs/acre)	Amount
WWS	Process wastewater	102.40	22.74	183.30	854.80	528,000.00 *gal*
MID Canal	Surface water	0.85	0.00	0.00	27.28	2,553,600.00 *gal*
Application event totals		103.25	22.74	183.30	882.07	

Annual Report - General Order No. R5-2007-0035
Reporting period 01/01/2023 to 12/31/2023.

Field 2 - 05/30/2023: Corn, silage

Application date	Application method	Precipitation 24 hours prior	Precipitation during application	Precipitation 24 hours following
08/24/2023	Surface (irrigation)	No precipitation	No precipitation	No precipitation

Source description	Material type	N (lbs/acre)	P (lbs/acre)	K (lbs/acre)	Salt (lbs/acre)	Amount
MID Canal	Surface water	1.03	0.00	0.00	33.02	3,091,200.00 *gal*
Application event totals		1.03	0.00	0.00	33.02	

Application date	Application method	Precipitation 24 hours prior	Precipitation during application	Precipitation 24 hours following
09/02/2023	Surface (irrigation)	No precipitation	No precipitation	No precipitation

Source description	Material type	N (lbs/acre)	P (lbs/acre)	K (lbs/acre)	Salt (lbs/acre)	Amount
MID Canal	Surface water	0.90	0.00	0.00	28.71	2,688,000.00 *gal*
Application event totals		0.90	0.00	0.00	28.71	

Field 3 - 11/01/2022: Wheat, silage, soft dough

Field name: Field 3

Crop: Wheat, silage, soft dough Plant date: 11/01/2022

Application date	Application method	Precipitation 24 hours prior	Precipitation during application	Precipitation 24 hours following
10/29/2022	Surface (irrigation)	No precipitation	No precipitation	No precipitation

Source description	Material type	N (lbs/acre)	P (lbs/acre)	K (lbs/acre)	Salt (lbs/acre)	Amount
WWS	Process wastewater	130.32	12.51	198.68	1,138.35	768,000.00 *gal*
MID Canal	Surface water	1.50	0.00	0.00	47.85	3,763,200.00 *gal*
Application event totals		131.81	12.51	198.68	1,186.21	

Application date	Application method	Precipitation 24 hours prior	Precipitation during application	Precipitation 24 hours following
01/26/2023	Surface (irrigation)	No precipitation	No precipitation	No precipitation

Source description	Material type	N (lbs/acre)	P (lbs/acre)	K (lbs/acre)	Salt (lbs/acre)	Amount
WWS	Process wastewater	167.38	5.61	26.07	1,044.32	720,000.00 *gal*
Application event totals		167.38	5.61	26.07	1,044.32	

Field 3 - 05/30/2023: Corn, silage

Field name: Field 3

Crop: Corn, silage Plant date: 05/30/2023

Annual Report - General Order No. R5-2007-0035
Reporting period 01/01/2023 to 12/31/2023.

Field 3 - 05/30/2023: Corn, silage

Application date	Application method	Precipitation 24 hours prior	Precipitation during application	Precipitation 24 hours following
05/26/2023	Surface (irrigation)	No precipitation	No precipitation	No precipitation

Source description	Material type	N (lbs/acre)	P (lbs/acre)	K (lbs/acre)	Salt (lbs/acre)	Amount
MID Canal	Surface water	1.39	0.00	0.00	44.44	3,494,400.00 *gal*
Application event totals		1.39	0.00	0.00	44.44	

Application date	Application method	Precipitation 24 hours prior	Precipitation during application	Precipitation 24 hours following
07/08/2023	Surface (irrigation)	No precipitation	No precipitation	No precipitation

Source description	Material type	N (lbs/acre)	P (lbs/acre)	K (lbs/acre)	Salt (lbs/acre)	Amount
WWS	Process wastewater	144.07	31.99	257.88	1,202.63	624,000.00 *gal*
MID Canal	Surface water	0.96	0.00	0.00	30.76	2,419,200.00 *gal*
Application event totals		145.03	31.99	257.88	1,233.40	

Application date	Application method	Precipitation 24 hours prior	Precipitation during application	Precipitation 24 hours following
07/21/2023	Surface (irrigation)	No precipitation	No precipitation	No precipitation

Source description	Material type	N (lbs/acre)	P (lbs/acre)	K (lbs/acre)	Salt (lbs/acre)	Amount
MID Canal	Surface water	1.23	0.00	0.00	39.31	3,091,200.00 *gal*
Application event totals		1.23	0.00	0.00	39.31	

Application date	Application method	Precipitation 24 hours prior	Precipitation during application	Precipitation 24 hours following
07/30/2023	Surface (irrigation)	No precipitation	No precipitation	No precipitation

Source description	Material type	N (lbs/acre)	P (lbs/acre)	K (lbs/acre)	Salt (lbs/acre)	Amount
MID Canal	Surface water	1.55	0.00	0.00	49.56	3,897,600.00 *gal*
Application event totals		1.55	0.00	0.00	49.56	

Application date	Application method	Precipitation 24 hours prior	Precipitation during application	Precipitation 24 hours following
08/06/2023	Surface (irrigation)	No precipitation	No precipitation	No precipitation

Source description	Material type	N (lbs/acre)	P (lbs/acre)	K (lbs/acre)	Salt (lbs/acre)	Amount
MID Canal	Surface water	1.07	0.00	0.00	34.18	2,688,000.00 *gal*
Application event totals		1.07	0.00	0.00	34.18	

Application date	Application method	Precipitation 24 hours prior	Precipitation during application	Precipitation 24 hours following
08/15/2023	Surface (irrigation)	No precipitation	No precipitation	No precipitation

Source description	Material type	N (lbs/acre)	P (lbs/acre)	K (lbs/acre)	Salt (lbs/acre)	Amount
WWS	Process wastewater	132.99	29.53	238.05	1,110.12	576,000.00 *gal*
MID Canal	Surface water	0.91	0.00	0.00	29.05	2,284,800.00 *gal*
Application event totals		133.89	29.53	238.05	1,139.18	

Annual Report - General Order No. R5-2007-0035
Reporting period 01/01/2023 to 12/31/2023.

Field 3 - 05/30/2023: Corn, silage

Application date	Application method	Precipitation 24 hours prior	Precipitation during application	Precipitation 24 hours following
08/25/2023	Surface (irrigation)	No precipitation	No precipitation	No precipitation

Source description	Material type	N (lbs/acre)	P (lbs/acre)	K (lbs/acre)	Salt (lbs/acre)	Amount
MID Canal	Surface water	1.01	0.00	0.00	32.47	2,553,600.00 *gal*
Application event totals		1.01	0.00	0.00	32.47	

Application date	Application method	Precipitation 24 hours prior	Precipitation during application	Precipitation 24 hours following
09/03/2023	Surface (irrigation)	No precipitation	No precipitation	No precipitation

Source description	Material type	N (lbs/acre)	P (lbs/acre)	K (lbs/acre)	Salt (lbs/acre)	Amount
MID Canal	Surface water	0.85	0.00	0.00	27.34	2,150,400.00 *gal*
Application event totals		0.85	0.00	0.00	27.34	

Field 4B - 02/01/2020: Almond, in shell

Field name: Field 4B

Crop: Almond, in shell

Plant date: 02/01/2020

Application date	Application method	Precipitation 24 hours prior	Precipitation during application	Precipitation 24 hours following
05/09/2023	Surface (irrigation)	No precipitation	No precipitation	No precipitation

Source description	Material type	N (lbs/acre)	P (lbs/acre)	K (lbs/acre)	Salt (lbs/acre)	Amount
MID Canal	Surface water	8.52	0.00	0.00	272.78	28,601,400.00 *gal*
Application event totals		8.52	0.00	0.00	272.78	

Application date	Application method	Precipitation 24 hours prior	Precipitation during application	Precipitation 24 hours following
05/09/2023	Sidedress	No precipitation	No precipitation	No precipitation

Source description	Material type	N (lbs/acre)	P (lbs/acre)	K (lbs/acre)	Salt (lbs/acre)	Amount
10-0-10	Solid commercial fertilizer	15.60	0.00	15.60	0.00	
Application event totals		15.60	0.00	15.60	0.00	

Application date	Application method	Precipitation 24 hours prior	Precipitation during application	Precipitation 24 hours following
06/01/2023	Sidedress	No precipitation	No precipitation	No precipitation

Source description	Material type	N (lbs/acre)	P (lbs/acre)	K (lbs/acre)	Salt (lbs/acre)	Amount
10-0-10	Solid commercial fertilizer	15.60	0.00	15.60	0.00	
Application event totals		15.60	0.00	15.60	0.00	

Annual Report - General Order No. R5-2007-0035
Reporting period 01/01/2023 to 12/31/2023.

Field 4B - 02/01/2020: Almond, in shell

Application date	Application method	Precipitation 24 hours prior	Precipitation during application	Precipitation 24 hours following
07/01/2023	Sidedress	No precipitation	No precipitation	No precipitation

Source description	Material type	N (lbs/acre)	P (lbs/acre)	K (lbs/acre)	Salt (lbs/acre)	Amount
10-0-10	Solid commercial fertilizer	15.60	0.00	15.60	0.00	
Application event totals		15.60	0.00	15.60	0.00	

Field 5A - 01/01/2022: Almond, in shell

Field name: Field 5A

Crop: Almond, in shell

Plant date: 01/01/2022

Application date	Application method	Precipitation 24 hours prior	Precipitation during application	Precipitation 24 hours following
05/08/2023	Surface (irrigation)	No precipitation	No precipitation	No precipitation

Source description	Material type	N (lbs/acre)	P (lbs/acre)	K (lbs/acre)	Salt (lbs/acre)	Amount
MID Canal	Surface water	6.11	0.00	0.00	195.43	17,563,800.00 *gal*
Application event totals		6.11	0.00	0.00	195.43	

05/08/2023	Sidedress	No precipitation	No precipitation	No precipitation

Source description	Material type	N (lbs/acre)	P (lbs/acre)	K (lbs/acre)	Salt (lbs/acre)	Amount
10-0-10	Solid commercial fertilizer	15.60	0.00	15.60	0.00	
Application event totals		15.60	0.00	15.60	0.00	

05/31/2023	Sidedress	No precipitation	No precipitation	No precipitation

Source description	Material type	N (lbs/acre)	P (lbs/acre)	K (lbs/acre)	Salt (lbs/acre)	Amount
10-0-10	Solid commercial fertilizer	15.60	0.00	15.60	0.00	
Application event totals		15.60	0.00	15.60	0.00	

06/30/2023	Sidedress	No precipitation	No precipitation	No precipitation

Source description	Material type	N (lbs/acre)	P (lbs/acre)	K (lbs/acre)	Salt (lbs/acre)	Amount
10-0-10	Solid commercial fertilizer	15.60	0.00	15.60	0.00	
Application event totals		15.60	0.00	15.60	0.00	

Annual Report - General Order No. R5-2007-0035
Reporting period 01/01/2023 to 12/31/2023.

Field 5B - 11/01/2016: Almond, in shell

Field name: Field 5B

Crop: Almond, in shell

Plant date: 11/01/2016

Application date	Application method	Precipitation 24 hours prior	Precipitation during application	Precipitation 24 hours following
05/10/2023	Surface (irrigation)	No precipitation	No precipitation	No precipitation

Source description	Material type	N (lbs/acre)	P (lbs/acre)	K (lbs/acre)	Salt (lbs/acre)	Amount
MID Canal	Surface water	8.94	0.00	0.00	285.99	33,200,400.00 *gal*
Application event totals		8.94	0.00	0.00	285.99	

Application date	Application method	Precipitation 24 hours prior	Precipitation during application	Precipitation 24 hours following
05/10/2023	Sidedress	No precipitation	No precipitation	No precipitation

Source description	Material type	N (lbs/acre)	P (lbs/acre)	K (lbs/acre)	Salt (lbs/acre)	Amount
10-0-10	Solid commercial fertilizer	26.00	0.00	26.00	0.00	
Application event totals		26.00	0.00	26.00	0.00	

Application date	Application method	Precipitation 24 hours prior	Precipitation during application	Precipitation 24 hours following
06/02/2023	Sidedress	No precipitation	No precipitation	No precipitation

Source description	Material type	N (lbs/acre)	P (lbs/acre)	K (lbs/acre)	Salt (lbs/acre)	Amount
10-0-10	Solid commercial fertilizer	26.00	0.00	26.00	0.00	
Application event totals		26.00	0.00	26.00	0.00	

Application date	Application method	Precipitation 24 hours prior	Precipitation during application	Precipitation 24 hours following
07/02/2023	Sidedress	No precipitation	No precipitation	No precipitation

Source description	Material type	N (lbs/acre)	P (lbs/acre)	K (lbs/acre)	Salt (lbs/acre)	Amount
10-0-10	Solid commercial fertilizer	26.00	0.00	26.00	0.00	
Application event totals		26.00	0.00	26.00	0.00	

Field 6A - 11/01/2022: Wheat, silage, soft dough

Field name: Field 6A

Crop: Wheat, silage, soft dough

Plant date: 11/01/2022

Application date	Application method	Precipitation 24 hours prior	Precipitation during application	Precipitation 24 hours following

Annual Report - General Order No. R5-2007-0035
Reporting period 01/01/2023 to 12/31/2023.

Field 6A - 11/01/2022: Wheat, silage, soft dough

Application date	Application method	Precipitation 24 hours prior	Precipitation during application	Precipitation 24 hours following
09/13/2022	Surface (irrigation)	No precipitation	No precipitation	No precipitation

Source description	Material type	N (lbs/acre)	P (lbs/acre)	K (lbs/acre)	Salt (lbs/acre)	Amount
Slurry	Process wastewater sludge	285.68	61.23	1,313.87	279.65	130,000.00 *gal*
Application event totals		285.68	61.23	1,313.87	279.65	

Application date	Application method	Precipitation 24 hours prior	Precipitation during application	Precipitation 24 hours following
10/25/2022	Surface (irrigation)	No precipitation	No precipitation	No precipitation

Source description	Material type	N (lbs/acre)	P (lbs/acre)	K (lbs/acre)	Salt (lbs/acre)	Amount
MID Canal	Surface water	1.74	0.00	0.00	55.83	1,881,600.00 *gal*
Application event totals		1.74	0.00	0.00	55.83	

Field 6A - 05/30/2023: Corn, silage

Field name: Field 6A

Crop: Corn, silage

Plant date: 05/30/2023

Application date	Application method	Precipitation 24 hours prior	Precipitation during application	Precipitation 24 hours following
05/28/2023	Surface (irrigation)	No precipitation	No precipitation	No precipitation

Source description	Material type	N (lbs/acre)	P (lbs/acre)	K (lbs/acre)	Salt (lbs/acre)	Amount
MID Canal	Surface water	1.37	0.00	0.00	43.87	1,478,400.00 *gal*
Application event totals		1.37	0.00	0.00	43.87	

Application date	Application method	Precipitation 24 hours prior	Precipitation during application	Precipitation 24 hours following
07/10/2023	Surface (irrigation)	No precipitation	No precipitation	No precipitation

Source description	Material type	N (lbs/acre)	P (lbs/acre)	K (lbs/acre)	Salt (lbs/acre)	Amount
UN 32	Solid commercial fertilizer	123.20	0.00	0.00	0.00	
Application event totals		123.20	0.00	0.00	0.00	

Application date	Application method	Precipitation 24 hours prior	Precipitation during application	Precipitation 24 hours following
07/10/2023	Surface (irrigation)	No precipitation	No precipitation	No precipitation

Source description	Material type	N (lbs/acre)	P (lbs/acre)	K (lbs/acre)	Salt (lbs/acre)	Amount
MID Canal	Surface water	1.00	0.00	0.00	31.90	1,075,200.00 *gal*
Application event totals		1.00	0.00	0.00	31.90	

Annual Report - General Order No. R5-2007-0035
Reporting period 01/01/2023 to 12/31/2023.

Field 6A - 05/30/2023: Corn, silage

Application date	Application method	Precipitation 24 hours prior	Precipitation during application	Precipitation 24 hours following
07/23/2023	Surface (irrigation)	No precipitation	No precipitation	No precipitation

Source description	Material type	N (lbs/acre)	P (lbs/acre)	K (lbs/acre)	Salt (lbs/acre)	Amount
MID Canal	Surface water	0.93	0.00	0.00	29.91	1,008,000.00 *gal*
Application event totals		0.93	0.00	0.00	29.91	

Application date	Application method	Precipitation 24 hours prior	Precipitation during application	Precipitation 24 hours following
08/01/2023	Surface (irrigation)	No precipitation	No precipitation	No precipitation

Source description	Material type	N (lbs/acre)	P (lbs/acre)	K (lbs/acre)	Salt (lbs/acre)	Amount
MID Canal	Surface water	1.12	0.00	0.00	35.89	1,209,600.00 *gal*
Application event totals		1.12	0.00	0.00	35.89	

Application date	Application method	Precipitation 24 hours prior	Precipitation during application	Precipitation 24 hours following
08/08/2023	Surface (irrigation)	No precipitation	No precipitation	No precipitation

Source description	Material type	N (lbs/acre)	P (lbs/acre)	K (lbs/acre)	Salt (lbs/acre)	Amount
UN 32	Solid commercial fertilizer	105.60	0.00	0.00	0.00	
Application event totals		105.60	0.00	0.00	0.00	

Application date	Application method	Precipitation 24 hours prior	Precipitation during application	Precipitation 24 hours following
08/08/2023	Surface (irrigation)	No precipitation	No precipitation	No precipitation

Source description	Material type	N (lbs/acre)	P (lbs/acre)	K (lbs/acre)	Salt (lbs/acre)	Amount
MID Canal	Surface water	1.18	0.00	0.00	37.88	1,276,800.00 *gal*
Application event totals		1.18	0.00	0.00	37.88	

Application date	Application method	Precipitation 24 hours prior	Precipitation during application	Precipitation 24 hours following
08/17/2023	Surface (irrigation)	No precipitation	No precipitation	No precipitation

Source description	Material type	N (lbs/acre)	P (lbs/acre)	K (lbs/acre)	Salt (lbs/acre)	Amount
MID Canal	Surface water	1.31	0.00	0.00	41.87	1,411,200.00 *gal*
Application event totals		1.31	0.00	0.00	41.87	

Application date	Application method	Precipitation 24 hours prior	Precipitation during application	Precipitation 24 hours following
08/27/2023	Surface (irrigation)	No precipitation	No precipitation	No precipitation

Source description	Material type	N (lbs/acre)	P (lbs/acre)	K (lbs/acre)	Salt (lbs/acre)	Amount
MID Canal	Surface water	1.06	0.00	0.00	33.90	1,142,400.00 *gal*
Application event totals		1.06	0.00	0.00	33.90	

Annual Report - General Order No. R5-2007-0035
Reporting period 01/01/2023 to 12/31/2023.

Field 6A - 05/30/2023: Corn, silage

Application date	Application method	Precipitation 24 hours prior	Precipitation during application	Precipitation 24 hours following
09/05/2023	Surface (irrigation)	No precipitation	No precipitation	No precipitation

Source description	Material type	N (lbs/acre)	P (lbs/acre)	K (lbs/acre)	Salt (lbs/acre)	Amount
MID Canal	Surface water	1.12	0.00	0.00	35.89	1,209,600.00 *gal*
Application event totals		1.12	0.00	0.00	35.89	

Field 6B - 11/01/2022: Wheat, silage, soft dough

Field name: Field 6B

Crop: Wheat, silage, soft dough

Plant date: 11/01/2022

Application date	Application method	Precipitation 24 hours prior	Precipitation during application	Precipitation 24 hours following
09/13/2022	Surface (irrigation)	No precipitation	No precipitation	No precipitation

Source description	Material type	N (lbs/acre)	P (lbs/acre)	K (lbs/acre)	Salt (lbs/acre)	Amount
Slurry	Process wastewater sludge	271.94	58.29	99.60	266.21	110,000.00 *gal*
Application event totals		271.94	58.29	99.60	266.21	

Application date	Application method	Precipitation 24 hours prior	Precipitation during application	Precipitation 24 hours following
10/25/2023	Surface (irrigation)	No precipitation	No precipitation	No precipitation

Source description	Material type	N (lbs/acre)	P (lbs/acre)	K (lbs/acre)	Salt (lbs/acre)	Amount
MID Canal	Surface water	1.68	0.00	0.00	53.84	1,612,800.00 *gal*
Application event totals		1.68	0.00	0.00	53.84	

Field 6B - 05/30/2023: Corn, silage

Field name: Field 6B

Crop: Corn, silage

Plant date: 05/30/2023

Application date	Application method	Precipitation 24 hours prior	Precipitation during application	Precipitation 24 hours following

Annual Report - General Order No. R5-2007-0035
Reporting period 01/01/2023 to 12/31/2023.

Field 6B - 05/30/2023: Corn, silage

Application date	Application method	Precipitation 24 hours prior	Precipitation during application	Precipitation 24 hours following
05/28/2023	Surface (irrigation)	No precipitation	No precipitation	No precipitation

Source description	Material type	N (lbs/acre)	P (lbs/acre)	K (lbs/acre)	Salt (lbs/acre)	Amount
MID Canal	Surface water	1.40	0.00	0.00	44.86	1,344,000.00 *gal*
Application event totals		1.40	0.00	0.00	44.86	

Application date	Application method	Precipitation 24 hours prior	Precipitation during application	Precipitation 24 hours following
07/10/2023	Sidedress	No precipitation	No precipitation	No precipitation

Source description	Material type	N (lbs/acre)	P (lbs/acre)	K (lbs/acre)	Salt (lbs/acre)	Amount
UN 32	Solid commercial fertilizer	123.20	0.00	0.00	0.00	
Application event totals		123.20	0.00	0.00	0.00	

Application date	Application method	Precipitation 24 hours prior	Precipitation during application	Precipitation 24 hours following
07/10/2023	Surface (irrigation)	No precipitation	No precipitation	No precipitation

Source description	Material type	N (lbs/acre)	P (lbs/acre)	K (lbs/acre)	Salt (lbs/acre)	Amount
MID Canal	Surface water	0.98	0.00	0.00	31.40	940,800.00 *gal*
Application event totals		0.98	0.00	0.00	31.40	

Application date	Application method	Precipitation 24 hours prior	Precipitation during application	Precipitation 24 hours following
07/23/2023	Surface (irrigation)	No precipitation	No precipitation	No precipitation

Source description	Material type	N (lbs/acre)	P (lbs/acre)	K (lbs/acre)	Salt (lbs/acre)	Amount
MID Canal	Surface water	0.91	0.00	0.00	29.16	873,600.00 *gal*
Application event totals		0.91	0.00	0.00	29.16	

Application date	Application method	Precipitation 24 hours prior	Precipitation during application	Precipitation 24 hours following
08/01/2023	Surface (irrigation)	No precipitation	No precipitation	No precipitation

Source description	Material type	N (lbs/acre)	P (lbs/acre)	K (lbs/acre)	Salt (lbs/acre)	Amount
MID Canal	Surface water	1.12	0.00	0.00	35.89	1,075,200.00 *gal*
Application event totals		1.12	0.00	0.00	35.89	

Application date	Application method	Precipitation 24 hours prior	Precipitation during application	Precipitation 24 hours following
08/08/2023	Sidedress	No precipitation	No precipitation	No precipitation

Source description	Material type	N (lbs/acre)	P (lbs/acre)	K (lbs/acre)	Salt (lbs/acre)	Amount
UN 32	Solid commercial fertilizer	105.60	0.00	0.00	0.00	
Application event totals		105.60	0.00	0.00	0.00	

Annual Report - General Order No. R5-2007-0035
Reporting period 01/01/2023 to 12/31/2023.

Field 6B - 05/30/2023: Corn, silage

Application date	Application method	Precipitation 24 hours prior	Precipitation during application	Precipitation 24 hours following
08/08/2023	Surface (irrigation)	No precipitation	No precipitation	No precipitation

Source description	Material type	N (lbs/acre)	P (lbs/acre)	K (lbs/acre)	Salt (lbs/acre)	Amount
MID Canal	Surface water	1.19	0.00	0.00	38.13	1,142,400.00 *gal*
Application event totals		1.19	0.00	0.00	38.13	

Application date	Application method	Precipitation 24 hours prior	Precipitation during application	Precipitation 24 hours following
08/17/2023	Surface (irrigation)	No precipitation	No precipitation	No precipitation

Source description	Material type	N (lbs/acre)	P (lbs/acre)	K (lbs/acre)	Salt (lbs/acre)	Amount
MID Canal	Surface water	1.26	0.00	0.00	40.38	1,209,600.00 *gal*
Application event totals		1.26	0.00	0.00	40.38	

Application date	Application method	Precipitation 24 hours prior	Precipitation during application	Precipitation 24 hours following
08/27/2023	Surface (irrigation)	No precipitation	No precipitation	No precipitation

Source description	Material type	N (lbs/acre)	P (lbs/acre)	K (lbs/acre)	Salt (lbs/acre)	Amount
MID Canal	Surface water	1.05	0.00	0.00	33.65	1,008,000.00 *gal*
Application event totals		1.05	0.00	0.00	33.65	

Application date	Application method	Precipitation 24 hours prior	Precipitation during application	Precipitation 24 hours following
09/05/2023	Surface (irrigation)	No precipitation	No precipitation	No precipitation

Source description	Material type	N (lbs/acre)	P (lbs/acre)	K (lbs/acre)	Salt (lbs/acre)	Amount
MID Canal	Surface water	1.12	0.00	0.00	35.89	1,075,200.00 *gal*
Application event totals		1.12	0.00	0.00	35.89	

Field 7 - 11/01/2022: Wheat, silage, soft dough

Field name: Field 7

Crop: Wheat, silage, soft dough

Plant date: 11/01/2022

Application date	Application method	Precipitation 24 hours prior	Precipitation during application	Precipitation 24 hours following
08/30/2022	Surface (irrigation)	No precipitation	No precipitation	No precipitation

Source description	Material type	N (lbs/acre)	P (lbs/acre)	K (lbs/acre)	Salt (lbs/acre)	Amount
Slurry	Process wastewater sludge	285.97	61.30	104.74	279.94	1,070,000.00 *gal*
Application event totals		285.97	61.30	104.74	279.94	

Annual Report - General Order No. R5-2007-0035
Reporting period 01/01/2023 to 12/31/2023.

Field 7 - 11/01/2022: Wheat, silage, soft dough

Application date	Application method	Precipitation 24 hours prior	Precipitation during application	Precipitation 24 hours following
10/26/2022	Surface (irrigation)	No precipitation	No precipitation	No precipitation

Source description	Material type	N (lbs/acre)	P (lbs/acre)	K (lbs/acre)	Salt (lbs/acre)	Amount
MID Canal	Surface water	1.38	0.00	0.00	44.14	12,230,400.00 *gal*
Application event totals		1.38	0.00	0.00	44.14	

Field 7 - 05/30/2023: Corn, silage

Field name: Field 7

Crop: Corn, silage

Plant date: 05/30/2023

Application date	Application method	Precipitation 24 hours prior	Precipitation during application	Precipitation 24 hours following
05/29/2023	Surface (irrigation)	No precipitation	No precipitation	No precipitation

Source description	Material type	N (lbs/acre)	P (lbs/acre)	K (lbs/acre)	Salt (lbs/acre)	Amount
MID Canal	Surface water	1.33	0.00	0.00	42.68	11,827,200.00 *gal*
Application event totals		1.33	0.00	0.00	42.68	

07/11/2023	Sidedress	No precipitation	No precipitation	No precipitation

Source description	Material type	N (lbs/acre)	P (lbs/acre)	K (lbs/acre)	Salt (lbs/acre)	Amount
UN 32	Solid commercial fertilizer	123.20	0.00	0.00	0.00	
MID Canal	Surface water	1.15	0.00	0.00	36.86	10,214,400.00 *gal*
Application event totals		124.35	0.00	0.00	36.86	

07/24/2023	Surface (irrigation)	No precipitation	No precipitation	No precipitation

Source description	Material type	N (lbs/acre)	P (lbs/acre)	K (lbs/acre)	Salt (lbs/acre)	Amount
MID Canal	Surface water	1.21	0.00	0.00	38.80	10,752,000.00 *gal*
Application event totals		1.21	0.00	0.00	38.80	

08/02/2023	Surface (irrigation)	No precipitation	No precipitation	No precipitation

Source description	Material type	N (lbs/acre)	P (lbs/acre)	K (lbs/acre)	Salt (lbs/acre)	Amount
MID Canal	Surface water	1.12	0.00	0.00	35.89	9,945,600.00 *gal*
Application event totals		1.12	0.00	0.00	35.89	

Annual Report - General Order No. R5-2007-0035
Reporting period 01/01/2023 to 12/31/2023.

Field 7 - 05/30/2023: Corn, silage

Application date	Application method	Precipitation 24 hours prior	Precipitation during application	Precipitation 24 hours following
08/09/2023	Sidedress	No precipitation	No precipitation	No precipitation

Source description	Material type	N (lbs/acre)	P (lbs/acre)	K (lbs/acre)	Salt (lbs/acre)	Amount
UN 32	Solid commercial fertilizer	105.60	0.00	0.00	0.00	
Application event totals		105.60	0.00	0.00	0.00	

08/09/2023	Surface (irrigation)	No precipitation	No precipitation	No precipitation

Source description	Material type	N (lbs/acre)	P (lbs/acre)	K (lbs/acre)	Salt (lbs/acre)	Amount
MID Canal	Surface water	1.09	0.00	0.00	34.92	9,676,800.00 *gal*
Application event totals		1.09	0.00	0.00	34.92	

08/18/2023	Surface (irrigation)	No precipitation	No precipitation	No precipitation

Source description	Material type	N (lbs/acre)	P (lbs/acre)	K (lbs/acre)	Salt (lbs/acre)	Amount
MID Canal	Surface water	1.05	0.00	0.00	33.47	9,273,600.00 *gal*
Application event totals		1.05	0.00	0.00	33.47	

08/28/2023	Surface (irrigation)	No precipitation	No precipitation	No precipitation

Source description	Material type	N (lbs/acre)	P (lbs/acre)	K (lbs/acre)	Salt (lbs/acre)	Amount
MID Canal	Surface water	0.94	0.00	0.00	30.07	8,332,800.00 *gal*
Application event totals		0.94	0.00	0.00	30.07	

09/06/2023	Surface (irrigation)	No precipitation	No precipitation	No precipitation

Source description	Material type	N (lbs/acre)	P (lbs/acre)	K (lbs/acre)	Salt (lbs/acre)	Amount
MID Canal	Surface water	1.00	0.00	0.00	32.01	8,870,400.00 *gal*
Application event totals		1.00	0.00	0.00	32.01	

Annual Report - General Order No. R5-2007-0035
Reporting period 01/01/2023 to 12/31/2023.

B. NUTRIENT BUDGET

Field 1 - 11/01/2022: Wheat, silage, soft dough

Field name: Field 1 Crop: Wheat, silage, soft dough Plant date: 11/01/2022

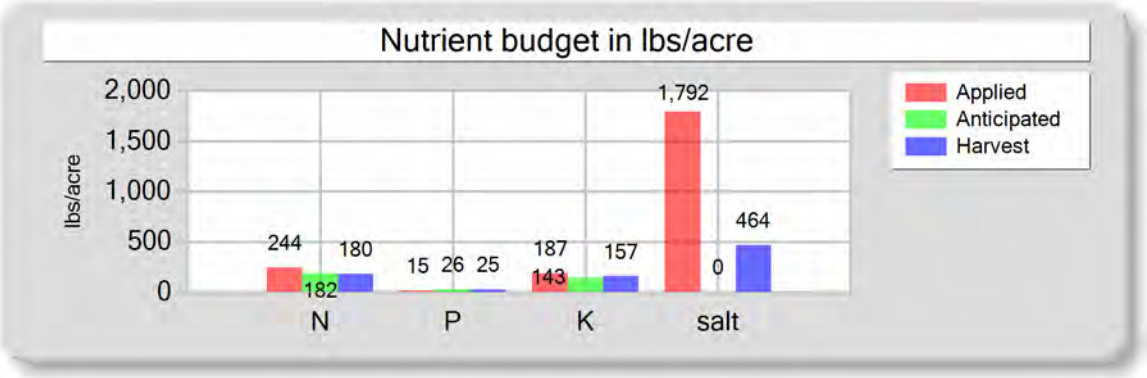

	Total N (lbs/acre)	Total P (lbs/acre)	Total K (lbs/acre)	Total salt (lbs/acre)
Existing soil nutrient content	0.00	0.00	0.00	0.00
Plowdown credit	0.00	0.00	0.00	0.00
Commercial fertilizer / Other	0.00	0.00	0.00	0.00
Dry manure	0.00	0.00	0.00	0.00
Process wastewater	235.49	14.76	187.18	1,743.72
Fresh water	1.52	0.00	0.00	48.71
Atmospheric deposition	7.00	0.00	0.00	0.00
Total nutrients applied	244.01	14.76	187.18	1,792.43
Anticipated crop nutrient removal	182.00	26.00	143.00	0.00
Actual crop nutrient removal	180.18	25.09	157.37	464.13
Nutrient balance	63.83	-10.32	29.81	1,328.31
Applied to removed ratio	1.35	0.59	1.19	3.86

Fresh water applied	
5,107,200.00	*gallons*
188.08	*acre-inches*
6.72	*inches/acre*

Process wastewater applied	
1,584,000.00	*gallons*
58.33	*acre-inches*
2.08	*inches/acre*

Total harvests for the crop	
1	*harvests*

Annual Report - General Order No. R5-2007-0035
Reporting period 01/01/2023 to 12/31/2023.

Field 1 - 05/30/2023: Corn, silage

Field name: Field 1 Crop: Corn, silage Plant date: 05/30/2023

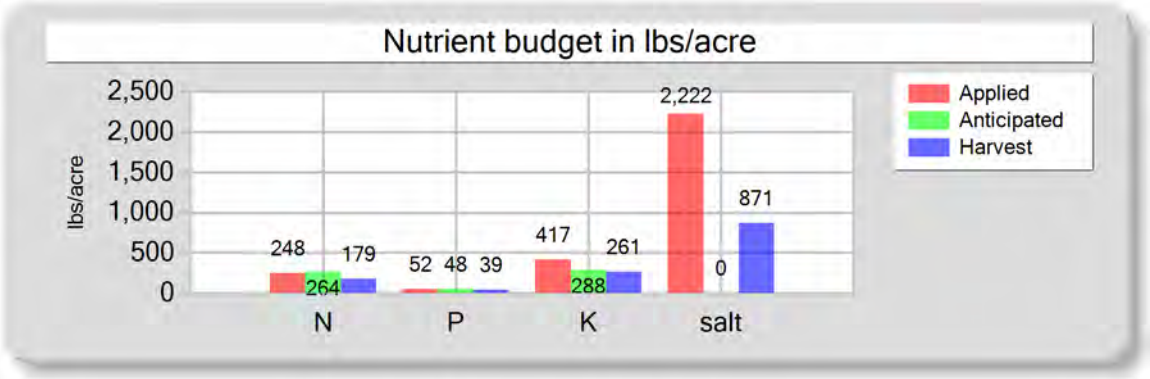

	Total N (lbs/acre)	Total P (lbs/acre)	Total K (lbs/acre)	Total salt (lbs/acre)
Existing soil nutrient content	0.00	0.00	0.00	0.00
Plowdown credit	0.00	0.00	0.00	0.00
Commercial fertilizer / Other	0.00	0.00	0.00	0.00
Dry manure	0.00	0.00	0.00	0.00
Process wastewater	232.73	51.67	416.58	1,942.72
Fresh water	8.73	0.00	0.00	279.43
Atmospheric deposition	7.00	0.00	0.00	0.00
Total nutrients applied	248.46	51.67	416.58	2,222.15
Anticipated crop nutrient removal	264.00	48.00	288.00	0.00
Actual crop nutrient removal	179.40	39.00	261.30	871.10
Nutrient balance	69.06	12.67	155.28	1,351.04
Applied to removed ratio	1.38	1.32	1.59	2.55

Fresh water applied	
29,299,200.00	*gallons*
1,078.99	*acre-inches*
38.54	*inches/acre*

Process wastewater applied	
1,344,000.00	*gallons*
49.49	*acre-inches*
1.77	*inches/acre*

Total harvests for the crop	
1	*harvests*

Annual Report - General Order No. R5-2007-0035
Reporting period 01/01/2023 to 12/31/2023.

Field 2 - 11/01/2022: Wheat, silage, soft dough

Field name: Field 2 Crop: Wheat, silage, soft dough Plant date: 11/01/2022

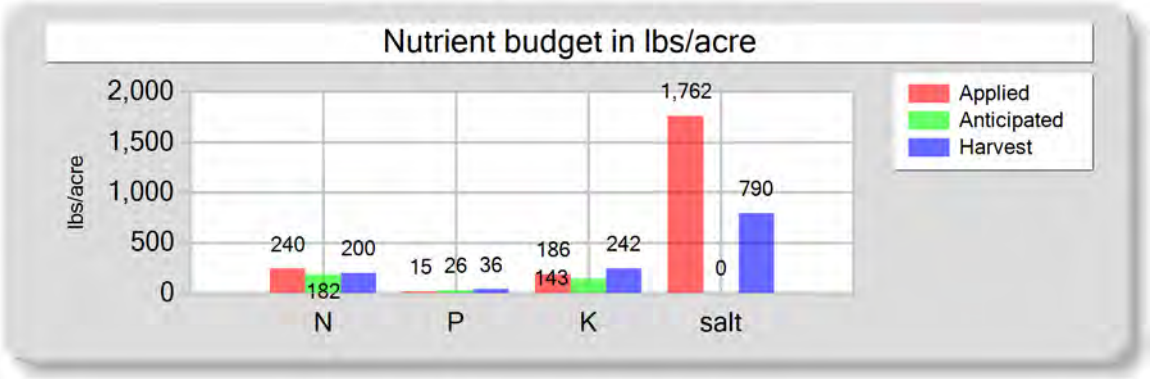

	Total N (lbs/acre)	Total P (lbs/acre)	Total K (lbs/acre)	Total salt (lbs/acre)
Existing soil nutrient content	0.00	0.00	0.00	0.00
Plowdown credit	0.00	0.00	0.00	0.00
Commercial fertilizer / Other	0.00	0.00	0.00	0.00
Dry manure	0.00	0.00	0.00	0.00
Process wastewater	231.32	14.59	185.86	1,716.48
Fresh water	1.44	0.00	0.00	45.94
Atmospheric deposition	7.00	0.00	0.00	0.00
Total nutrients applied	239.75	14.59	185.86	1,762.42
Anticipated crop nutrient removal	182.00	26.00	143.00	0.00
Actual crop nutrient removal	199.64	36.00	242.19	790.48
Nutrient balance	40.11	-21.41	-56.32	971.94
Applied to removed ratio	1.20	0.41	0.77	2.23

Fresh water applied	
4,300,800.00	*gallons*
158.38	*acre-inches*
6.34	*inches/acre*

Process wastewater applied	
1,392,000.00	*gallons*
51.26	*acre-inches*
2.05	*inches/acre*

Total harvests for the crop	
1	*harvests*

Annual Report - General Order No. R5-2007-0035
Reporting period 01/01/2023 to 12/31/2023.

Field 2 - 05/30/2023: Corn, silage

Field name: Field 2 Crop: Corn, silage Plant date: 05/30/2023

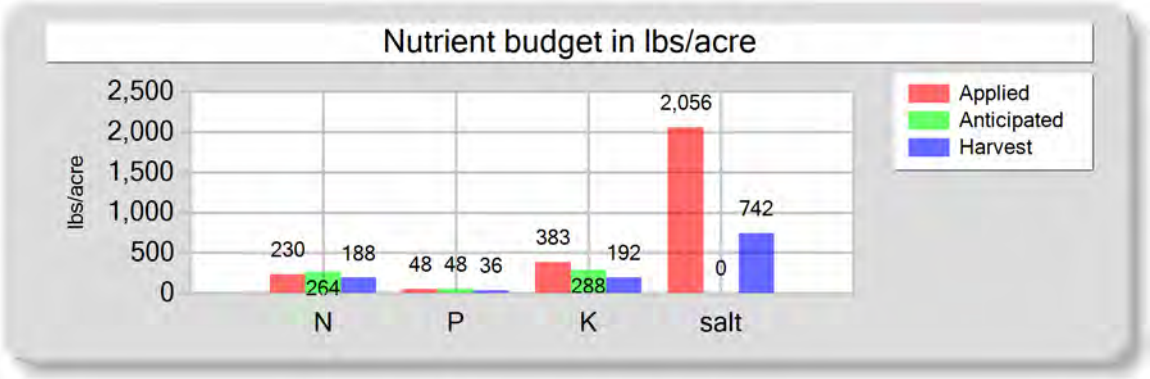

	Total N (lbs/acre)	Total P (lbs/acre)	Total K (lbs/acre)	Total salt (lbs/acre)
Existing soil nutrient content	0.00	0.00	0.00	0.00
Plowdown credit	0.00	0.00	0.00	0.00
Commercial fertilizer / Other	0.00	0.00	0.00	0.00
Dry manure	0.00	0.00	0.00	0.00
Process wastewater	214.36	47.54	383.26	1,787.30
Fresh water	8.39	0.00	0.00	268.46
Atmospheric deposition	7.00	0.00	0.00	0.00
Total nutrients applied	229.75	47.54	383.26	2,055.76
Anticipated crop nutrient removal	264.00	48.00	288.00	0.00
Actual crop nutrient removal	188.45	36.24	192.07	741.98
Nutrient balance	41.30	11.30	191.18	1,313.78
Applied to removed ratio	1.22	1.31	2.00	2.77

Fresh water applied	
25,132,800.00	*gallons*
925.56	*acre-inches*
37.02	*inches/acre*

Process wastewater applied	
1,104,000.00	*gallons*
40.66	*acre-inches*
1.63	*inches/acre*

Total harvests for the crop	
1	*harvests*

Annual Report - General Order No. R5-2007-0035
Reporting period 01/01/2023 to 12/31/2023.

Field 3 - 11/01/2022: Wheat, silage, soft dough

Field name: Field 3 Crop: Wheat, silage, soft dough Plant date: 11/01/2022

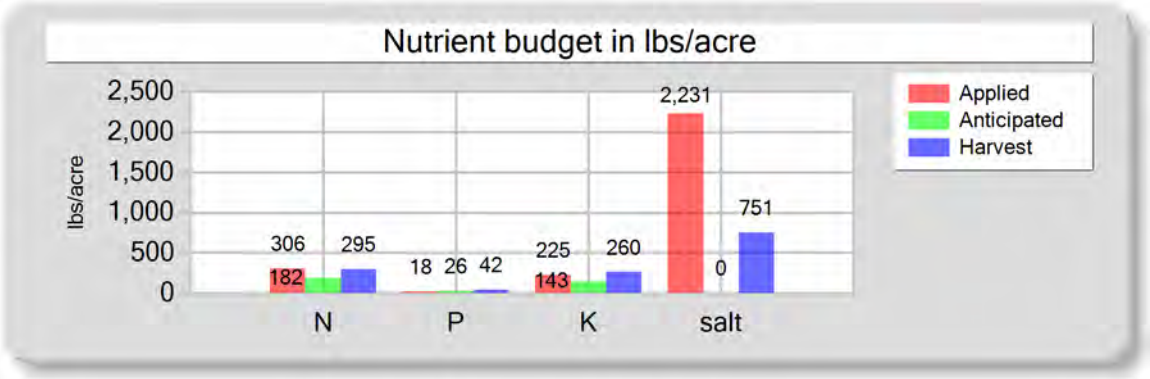

	Total N (lbs/acre)	Total P (lbs/acre)	Total K (lbs/acre)	Total salt (lbs/acre)
Existing soil nutrient content	0.00	0.00	0.00	0.00
Plowdown credit	0.00	0.00	0.00	0.00
Commercial fertilizer / Other	0.00	0.00	0.00	0.00
Dry manure	0.00	0.00	0.00	0.00
Process wastewater	297.69	18.12	224.74	2,182.67
Fresh water	1.50	0.00	0.00	47.85
Atmospheric deposition	7.00	0.00	0.00	0.00
Total nutrients applied	306.19	18.12	224.74	2,230.52
Anticipated crop nutrient removal	182.00	26.00	143.00	0.00
Actual crop nutrient removal	295.36	42.19	260.20	750.99
Nutrient balance	10.83	-24.07	-35.46	1,479.54
Applied to removed ratio	1.04	0.43	0.86	2.97

Fresh water applied	
3,763,200.00	*gallons*
138.59	*acre-inches*
6.60	*inches/acre*

Process wastewater applied	
1,488,000.00	*gallons*
54.80	*acre-inches*
2.61	*inches/acre*

Total harvests for the crop	
1	*harvests*

Annual Report - General Order No. R5-2007-0035
Reporting period 01/01/2023 to 12/31/2023.

Field 3 - 05/30/2023: Corn, silage

Field name: Field 3 Crop: Corn, silage Plant date: 05/30/2023

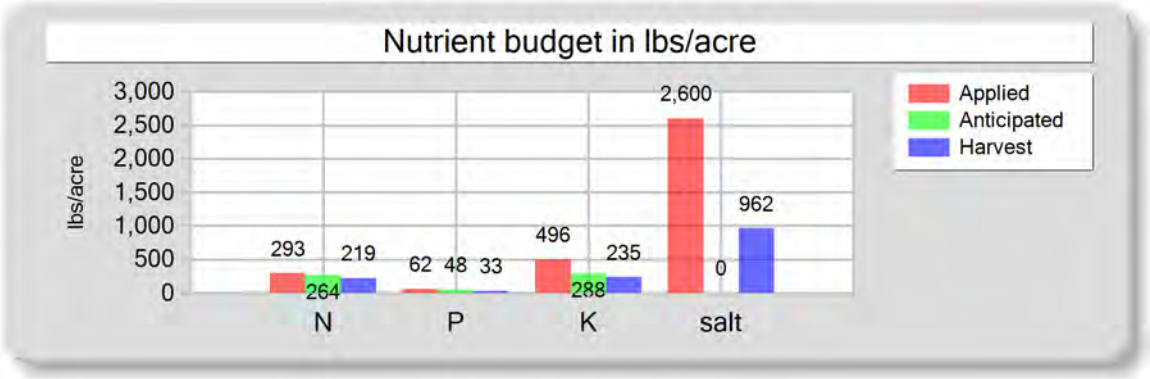

	Total N (lbs/acre)	Total P (lbs/acre)	Total K (lbs/acre)	Total salt (lbs/acre)
Existing soil nutrient content	0.00	0.00	0.00	0.00
Plowdown credit	0.00	0.00	0.00	0.00
Commercial fertilizer / Other	0.00	0.00	0.00	0.00
Dry manure	0.00	0.00	0.00	0.00
Process wastewater	277.05	61.51	495.93	2,312.76
Fresh water	8.97	0.00	0.00	287.12
Atmospheric deposition	7.00	0.00	0.00	0.00
Total nutrients applied	293.03	61.51	495.93	2,599.88
Anticipated crop nutrient removal	264.00	48.00	288.00	0.00
Actual crop nutrient removal	218.56	32.99	235.06	961.75
Nutrient balance	74.46	28.52	260.87	1,638.12
Applied to removed ratio	1.34	1.86	2.11	2.70

Fresh water applied	
22,579,200.00	*gallons*
831.52	*acre-inches*
39.60	*inches/acre*

Process wastewater applied	
1,200,000.00	*gallons*
44.19	*acre-inches*
2.10	*inches/acre*

Total harvests for the crop	
1	*harvests*

Annual Report - General Order No. R5-2007-0035
Reporting period 01/01/2023 to 12/31/2023.

Field 4B - 02/01/2020: Almond, in shell

Field name: Field 4B Crop: Almond, in shell Plant date: 02/01/2020

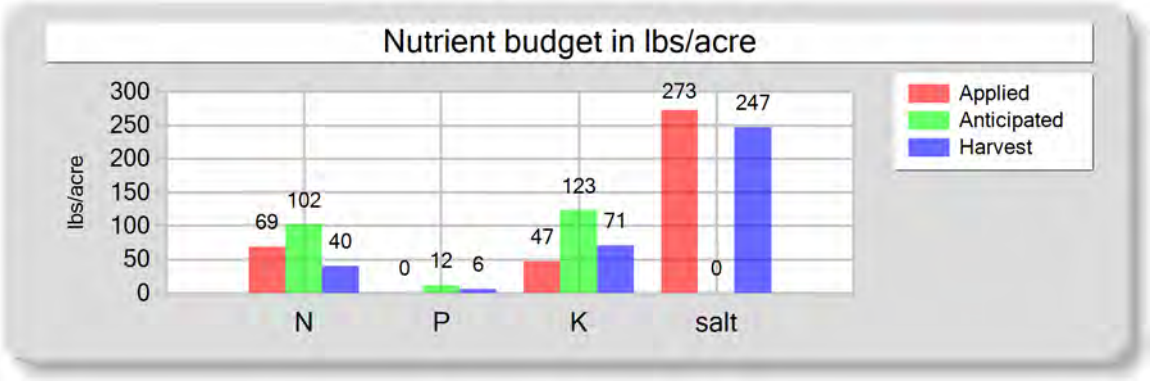

	Total N (lbs/acre)	Total P (lbs/acre)	Total K (lbs/acre)	Total salt (lbs/acre)
Existing soil nutrient content	0.00	0.00	0.00	0.00
Plowdown credit	0.00	0.00	0.00	0.00
Commercial fertilizer / Other	46.80	0.00	46.80	0.00
Dry manure	0.00	0.00	0.00	0.00
Process wastewater	0.00	0.00	0.00	0.00
Fresh water	8.52	0.00	0.00	272.78
Atmospheric deposition	14.00	0.00	0.00	0.00
Total nutrients applied	69.32	0.00	46.80	272.78
Anticipated crop nutrient removal	102.00	12.00	123.00	0.00
Actual crop nutrient removal	40.31	5.70	70.86	247.07
Nutrient balance	29.01	-5.70	-24.06	25.71
Applied to removed ratio	1.72	0.00	0.66	1.10

Fresh water applied	
28,601,400.00	*gallons*
1,053.29	*acre-inches*
37.62	*inches/acre*

Process wastewater applied	
0.00	*gallons*
0.00	*acre-inches*
0.00	*inches/acre*

Total harvests for the crop	
1	*harvests*

Annual Report - General Order No. R5-2007-0035
Reporting period 01/01/2023 to 12/31/2023.

Field 5A - 01/01/2022: Almond, in shell

Field name: Field 5A Crop: Almond, in shell Plant date: 01/01/2022

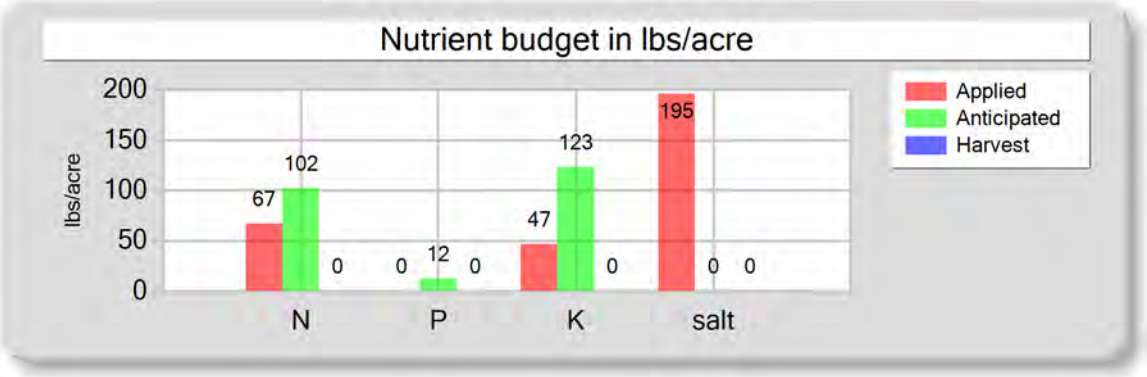

	Total N (lbs/acre)	Total P (lbs/acre)	Total K (lbs/acre)	Total salt (lbs/acre)
Existing soil nutrient content	0.00	0.00	0.00	0.00
Plowdown credit	0.00	0.00	0.00	0.00
Commercial fertilizer / Other	46.80	0.00	46.80	0.00
Dry manure	0.00	0.00	0.00	0.00
Process wastewater	0.00	0.00	0.00	0.00
Fresh water	6.11	0.00	0.00	195.43
Atmospheric deposition	14.00	0.00	0.00	0.00
Total nutrients applied	66.91	0.00	46.80	195.43
Anticipated crop nutrient removal	102.00	12.00	123.00	0.00
Actual crop nutrient removal	0.00	0.00	0.00	0.00
Nutrient balance	66.91	0.00	46.80	195.43
Applied to removed ratio	0.00	0.00	0.00	0.00

Fresh water applied	
17,563,800.00	*gallons*
646.82	*acre-inches*
26.95	*inches/acre*

Process wastewater applied	
0.00	*gallons*
0.00	*acre-inches*
0.00	*inches/acre*

Total harvests for the crop	
1	*harvests*

Annual Report - General Order No. R5-2007-0035
Reporting period 01/01/2023 to 12/31/2023.

Field 5B - 11/01/2016: Almond, in shell

Field name: Field 5B Crop: Almond, in shell Plant date: 11/01/2016

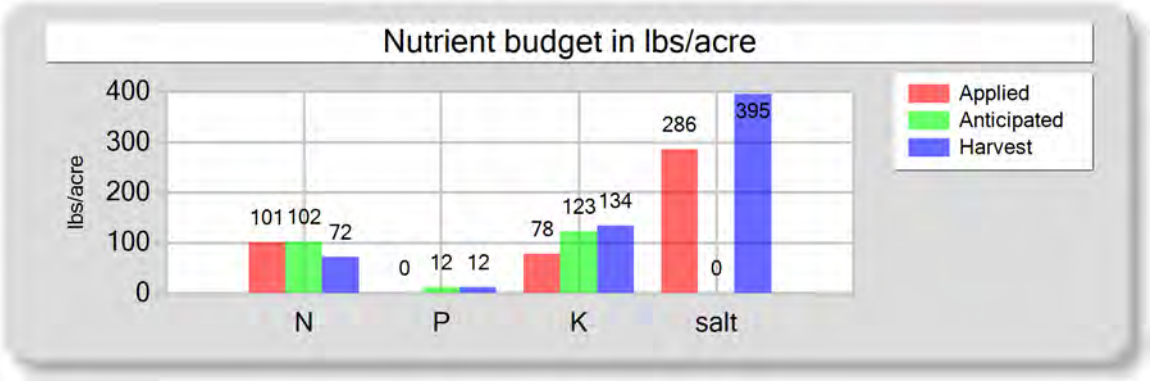

	Total N (lbs/acre)	Total P (lbs/acre)	Total K (lbs/acre)	Total salt (lbs/acre)
Existing soil nutrient content	0.00	0.00	0.00	0.00
Plowdown credit	0.00	0.00	0.00	0.00
Commercial fertilizer / Other	78.00	0.00	78.00	0.00
Dry manure	0.00	0.00	0.00	0.00
Process wastewater	0.00	0.00	0.00	0.00
Fresh water	8.94	0.00	0.00	285.99
Atmospheric deposition	14.00	0.00	0.00	0.00
Total nutrients applied	100.94	0.00	78.00	285.99
Anticipated crop nutrient removal	102.00	12.00	123.00	0.00
Actual crop nutrient removal	71.90	11.55	134.16	395.14
Nutrient balance	29.04	-11.55	-56.16	-109.15
Applied to removed ratio	1.40	0.00	0.58	0.72

Fresh water applied	
33,200,400.00	*gallons*
1,222.66	*acre-inches*
39.44	*inches/acre*

Process wastewater applied	
0.00	*gallons*
0.00	*acre-inches*
0.00	*inches/acre*

Total harvests for the crop	
1	*harvests*

Annual Report - General Order No. R5-2007-0035
Reporting period 01/01/2023 to 12/31/2023.

Field 6A - 11/01/2022: Wheat, silage, soft dough

Field name: Field 6A Crop: Wheat, silage, soft dough Plant date: 11/01/2022

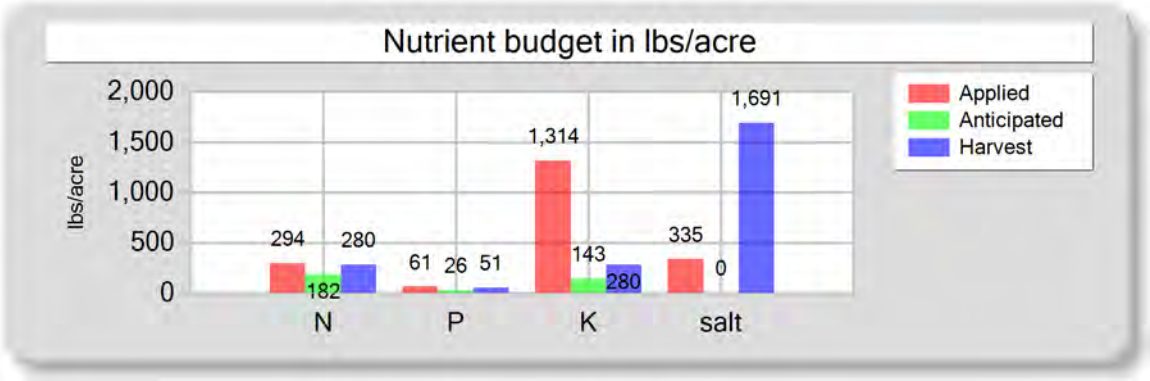

	Total N (lbs/acre)	Total P (lbs/acre)	Total K (lbs/acre)	Total salt (lbs/acre)
Existing soil nutrient content	0.00	0.00	0.00	0.00
Plowdown credit	0.00	0.00	0.00	0.00
Commercial fertilizer / Other	0.00	0.00	0.00	0.00
Dry manure	0.00	0.00	0.00	0.00
Process wastewater	285.68	61.23	1,313.87	279.65
Fresh water	1.74	0.00	0.00	55.83
Atmospheric deposition	7.00	0.00	0.00	0.00
Total nutrients applied	294.42	61.23	1,313.87	335.48
Anticipated crop nutrient removal	182.00	26.00	143.00	0.00
Actual crop nutrient removal	279.60	51.26	279.60	1,691.35
Nutrient balance	14.82	9.97	1,034.27	-1,355.87
Applied to removed ratio	1.05	1.19	4.70	0.20

Fresh water applied	
1,881,600.00	*gallons*
69.29	*acre-inches*
7.70	*inches/acre*

Process wastewater applied	
130,000.00	*gallons*
4.79	*acre-inches*
0.53	*inches/acre*

Total harvests for the crop	
1	*harvests*

Annual Report - General Order No. R5-2007-0035
Reporting period 01/01/2023 to 12/31/2023.

Field 6A - 05/30/2023: Corn, silage

Field name: Field 6A Crop: Corn, silage Plant date: 05/30/2023

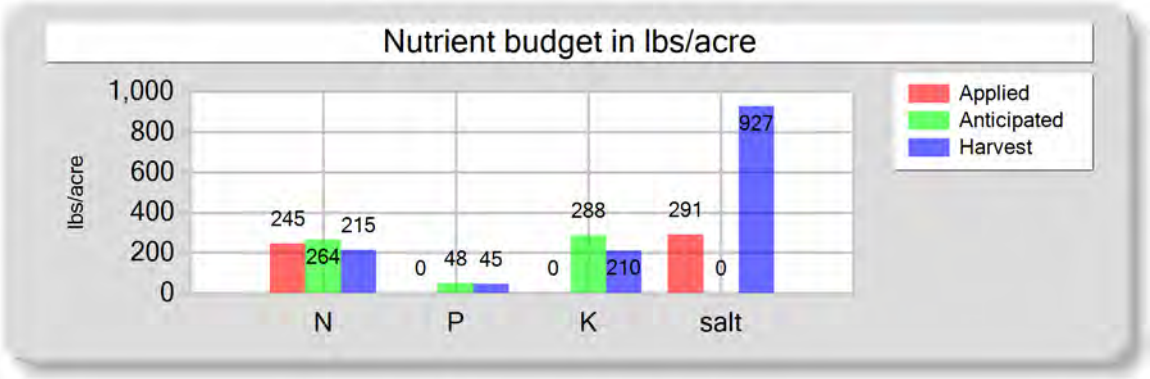

	Total N (lbs/acre)	Total P (lbs/acre)	Total K (lbs/acre)	Total salt (lbs/acre)
Existing soil nutrient content	0.00	0.00	0.00	0.00
Plowdown credit	0.00	0.00	0.00	0.00
Commercial fertilizer / Other	228.80	0.00	0.00	0.00
Dry manure	0.00	0.00	0.00	0.00
Process wastewater	0.00	0.00	0.00	0.00
Fresh water	9.10	0.00	0.00	291.11
Atmospheric deposition	7.00	0.00	0.00	0.00
Total nutrients applied	244.90	0.00	0.00	291.11
Anticipated crop nutrient removal	264.00	48.00	288.00	0.00
Actual crop nutrient removal	215.00	45.00	210.00	927.00
Nutrient balance	29.90	-45.00	-210.00	-635.89
Applied to removed ratio	1.14	0.00	0.00	0.31

Fresh water applied	
9,811,200.00	*gallons*
361.31	*acre-inches*
40.15	*inches/acre*

Process wastewater applied	
0.00	*gallons*
0.00	*acre-inches*
0.00	*inches/acre*

Total harvests for the crop	
1	*harvests*

Annual Report - General Order No. R5-2007-0035
Reporting period 01/01/2023 to 12/31/2023.

Field 6B - 11/01/2022: Wheat, silage, soft dough

Field name: Field 6B Crop: Wheat, silage, soft dough Plant date: 11/01/2022

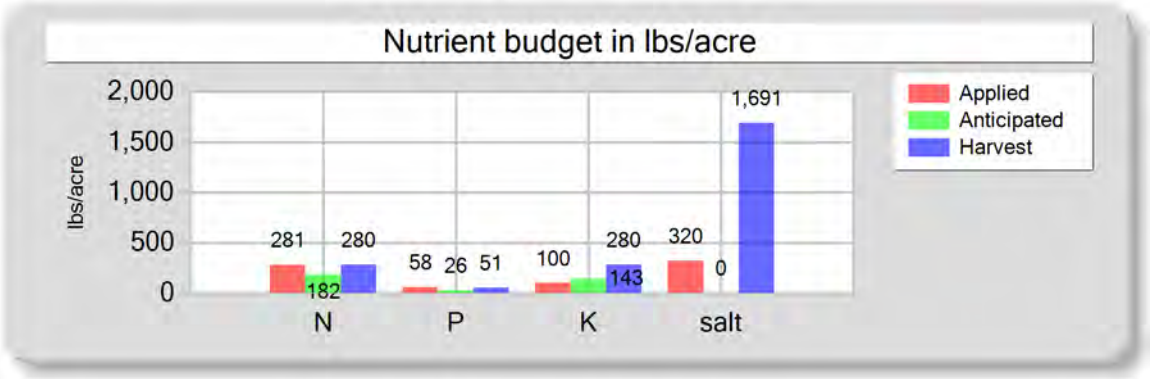

	Total N (lbs/acre)	Total P (lbs/acre)	Total K (lbs/acre)	Total salt (lbs/acre)
Existing soil nutrient content	0.00	0.00	0.00	0.00
Plowdown credit	0.00	0.00	0.00	0.00
Commercial fertilizer / Other	0.00	0.00	0.00	0.00
Dry manure	0.00	0.00	0.00	0.00
Process wastewater	271.94	58.29	99.60	266.21
Fresh water	1.68	0.00	0.00	53.84
Atmospheric deposition	7.00	0.00	0.00	0.00
Total nutrients applied	280.63	58.29	99.60	320.04
Anticipated crop nutrient removal	182.00	26.00	143.00	0.00
Actual crop nutrient removal	279.60	51.26	279.60	1,691.35
Nutrient balance	1.03	7.03	-180.00	-1,371.31
Applied to removed ratio	1.00	1.14	0.36	0.19

Fresh water applied	
1,612,800.00	*gallons*
59.39	*acre-inches*
7.42	*inches/acre*

Process wastewater applied	
110,000.00	*gallons*
4.05	*acre-inches*
0.51	*inches/acre*

Total harvests for the crop	
1	*harvests*

Annual Report - General Order No. R5-2007-0035
Reporting period 01/01/2023 to 12/31/2023.

Field 6B - 05/30/2023: Corn, silage

Field name: Field 6B Crop: Corn, silage Plant date: 05/30/2023

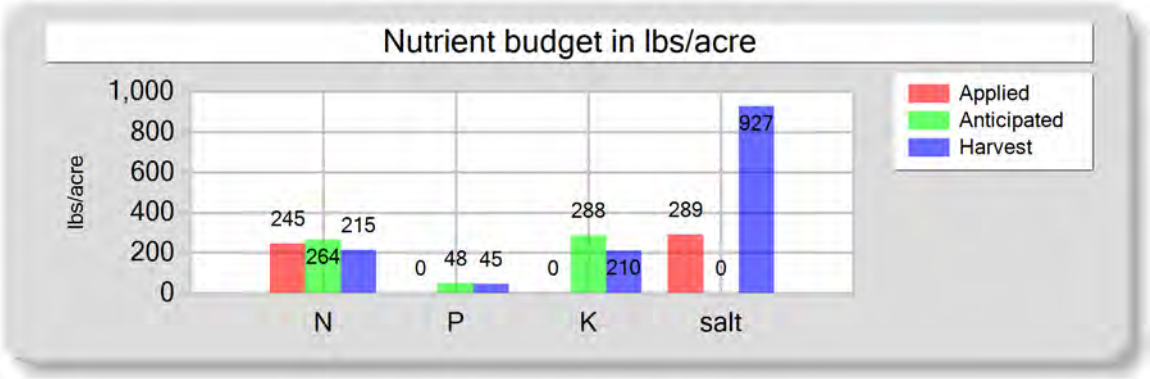

	Total N (lbs/acre)	Total P (lbs/acre)	Total K (lbs/acre)	Total salt (lbs/acre)
Existing soil nutrient content	0.00	0.00	0.00	0.00
Plowdown credit	0.00	0.00	0.00	0.00
Commercial fertilizer / Other	228.80	0.00	0.00	0.00
Dry manure	0.00	0.00	0.00	0.00
Process wastewater	0.00	0.00	0.00	0.00
Fresh water	9.04	0.00	0.00	289.36
Atmospheric deposition	7.00	0.00	0.00	0.00
Total nutrients applied	244.84	0.00	0.00	289.36
Anticipated crop nutrient removal	264.00	48.00	288.00	0.00
Actual crop nutrient removal	215.00	45.00	210.00	927.00
Nutrient balance	29.84	-45.00	-210.00	-637.64
Applied to removed ratio	1.14	0.00	0.00	0.31

Fresh water applied	
8,668,800.00	*gallons*
319.24	*acre-inches*
39.91	*inches/acre*

Process wastewater applied	
0.00	*gallons*
0.00	*acre-inches*
0.00	*inches/acre*

Total harvests for the crop	
1	*harvests*

Annual Report - General Order No. R5-2007-0035
Reporting period 01/01/2023 to 12/31/2023.

Field 7 - 11/01/2022: Wheat, silage, soft dough

Field name: Field 7 Crop: Wheat, silage, soft dough Plant date: 11/01/2022

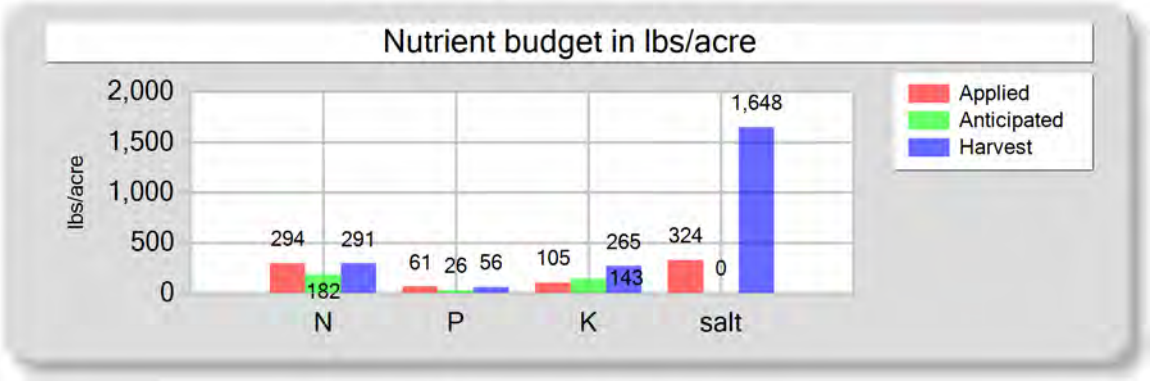

	Total N (lbs/acre)	Total P (lbs/acre)	Total K (lbs/acre)	Total salt (lbs/acre)
Existing soil nutrient content	0.00	0.00	0.00	0.00
Plowdown credit	0.00	0.00	0.00	0.00
Commercial fertilizer / Other	0.00	0.00	0.00	0.00
Dry manure	0.00	0.00	0.00	0.00
Process wastewater	285.97	61.30	104.74	279.94
Fresh water	1.38	0.00	0.00	44.14
Atmospheric deposition	7.00	0.00	0.00	0.00
Total nutrients applied	294.35	61.30	104.74	324.08
Anticipated crop nutrient removal	182.00	26.00	143.00	0.00
Actual crop nutrient removal	291.12	56.49	265.05	1,647.54
Nutrient balance	3.23	4.81	-160.32	-1,323.47
Applied to removed ratio	1.01	1.09	0.40	0.20

Fresh water applied	
12,230,400.00	*gallons*
450.40	*acre-inches*
6.09	*inches/acre*

Process wastewater applied	
1,070,000.00	*gallons*
39.40	*acre-inches*
0.53	*inches/acre*

Total harvests for the crop	
1	*harvests*

Annual Report - General Order No. R5-2007-0035
Reporting period 01/01/2023 to 12/31/2023.

Field 7 - 05/30/2023: Corn, silage

Field name: Field 7 Crop: Corn, silage Plant date: 05/30/2023

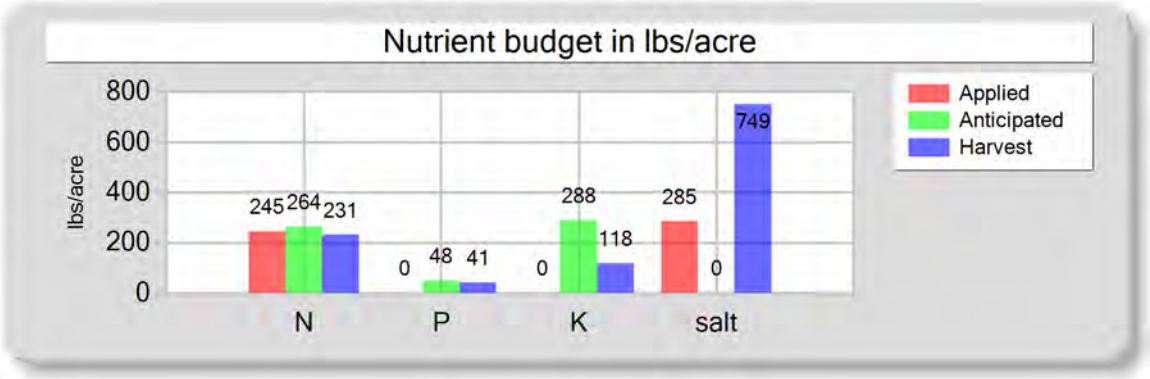

	Total N (lbs/acre)	Total P (lbs/acre)	Total K (lbs/acre)	Total salt (lbs/acre)
Existing soil nutrient content	0.00	0.00	0.00	0.00
Plowdown credit	0.00	0.00	0.00	0.00
Commercial fertilizer / Other	228.80	0.00	0.00	0.00
Dry manure	0.00	0.00	0.00	0.00
Process wastewater	0.00	0.00	0.00	0.00
Fresh water	8.90	0.00	0.00	284.70
Atmospheric deposition	7.00	0.00	0.00	0.00
Total nutrients applied	244.70	0.00	0.00	284.70
Anticipated crop nutrient removal	264.00	48.00	288.00	0.00
Actual crop nutrient removal	231.20	41.10	118.17	748.94
Nutrient balance	13.49	-41.10	-118.17	-464.25
Applied to removed ratio	1.06	0.00	0.00	0.38

Fresh water applied	
78,892,800.00	*gallons*
2,905.35	*acre-inches*
39.26	*inches/acre*

Process wastewater applied	
0.00	*gallons*
0.00	*acre-inches*
0.00	*inches/acre*

Total harvests for the crop	
1	*harvests*

Annual Report - General Order No. R5-2007-0035
Reporting period 01/01/2023 to 12/31/2023.

NUTRIENT ANALYSES

A. MANURE ANALYSES

Corral Solids

Sample and source description: Corral Solids
Sample date: 10/05/2022 Material type: Corral solids Source of analysis: Lab analysis Method of reporting: Dry-weight
Moisture: 28.4 %

	Total N (mg/kg)	Total P (mg/kg)	Total K (mg/kg)	Calcium (mg/kg)	Magnesium (mg/kg)	Sodium (mg/kg)	Sulfur (mg/kg)	Chloride (mg/kg)	Total salt (mg/kg)	TFS (%)
Value	28,400.00	7,900.00	23,600.00							0.00
DL	100.00	100.00	100.00							0.01

Drying Solids

Sample and source description: Drying Solids
Sample date: 10/05/2022 Material type: Compost Source of analysis: Lab analysis Method of reporting: Dry-weight
Moisture: 18.0 %

	Total N (mg/kg)	Total P (mg/kg)	Total K (mg/kg)	Calcium (mg/kg)	Magnesium (mg/kg)	Sodium (mg/kg)	Sulfur (mg/kg)	Chloride (mg/kg)	Total salt (mg/kg)	TFS (%)
Value	24,000.00	4,200.00	11,300.00							0.00
DL	100.00	100.00	100.00							0.01

Separator Solids

Sample and source description: Separator Solids
Sample date: 10/05/2022 Material type: Separator solids Source of analysis: Lab analysis Method of reporting: Dry-weight
Moisture: 74.4 %

	Total N (mg/kg)	Total P (mg/kg)	Total K (mg/kg)	Calcium (mg/kg)	Magnesium (mg/kg)	Sodium (mg/kg)	Sulfur (mg/kg)	Chloride (mg/kg)	Total salt (mg/kg)	TFS (%)
Value	19,700.00	2,900.00	4,500.00							0.00
DL	100.00	100.00	100.00							0.01

Annual Report - General Order No. R5-2007-0035
Reporting period 01/01/2023 to 12/31/2023.

Drying Solids

Sample and source description: Drying Solids
Sample date: 12/15/2022 Material type: Compost Source of analysis: Lab analysis Method of reporting: Dry-weight
Moisture: 33.8 %

	Total N (mg/kg)	Total P (mg/kg)	Total K (mg/kg)	Calcium (mg/kg)	Magnesium (mg/kg)	Sodium (mg/kg)	Sulfur (mg/kg)	Chloride (mg/kg)	Total salt (mg/kg)	TFS (%)
Value	16,800.00	7,600.00	14,100.00							0.00
DL	100.00	100.00	100.00							0.01

Corral Solids

Sample and source description: Corral Solids
Sample date: 04/19/2023 Material type: Corral solids Source of analysis: Lab analysis Method of reporting: Dry-weight
Moisture: 26.3 %

	Total N (mg/kg)	Total P (mg/kg)	Total K (mg/kg)	Calcium (mg/kg)	Magnesium (mg/kg)	Sodium (mg/kg)	Sulfur (mg/kg)	Chloride (mg/kg)	Total salt (mg/kg)	TFS (%)
Value	32,800.00	9,800.00	22,400.00	23,000.00	14,400.00	8,800.00	7,200.00	400.00		26.50
DL	100.00	100.00	100.00	100.00	100.00	100.00	100.00	100.00		0.01

Drying Solids

Sample and source description: Drying Solids
Sample date: 04/19/2023 Material type: Compost Source of analysis: Lab analysis Method of reporting: Dry-weight
Moisture: 52.5 %

	Total N (mg/kg)	Total P (mg/kg)	Total K (mg/kg)	Calcium (mg/kg)	Magnesium (mg/kg)	Sodium (mg/kg)	Sulfur (mg/kg)	Chloride (mg/kg)	Total salt (mg/kg)	TFS (%)
Value	23,900.00	4,500.00	5,400.00	16,300.00	6,400.00	1,600.00	4,700.00	1,000.00		23.60
DL	100.00	100.00	100.00	100.00	100.00	100.00	100.00	100.00		0.01

Annual Report - General Order No. R5-2007-0035
Reporting period 01/01/2023 to 12/31/2023.

Separator Solids

Sample and source description: Separator Solids

Sample date: 04/19/2023 Material type: Separator solids Source of analysis: Lab analysis Method of reporting: Dry-weight

Moisture: 75.8 %

	Total N (mg/kg)	Total P (mg/kg)	Total K (mg/kg)	Calcium (mg/kg)	Magnesium (mg/kg)	Sodium (mg/kg)	Sulfur (mg/kg)	Chloride (mg/kg)	Total salt (mg/kg)	TFS (%)
Value	23,000.00	3,100.00	4,800.00							0.00
DL	100.00	100.00	100.00							0.01

Corral Solids

Sample and source description: Corral Solids

Sample date: 10/13/2023 Material type: Corral solids Source of analysis: Lab analysis Method of reporting: Dry-weight

Moisture: 43.6 %

	Total N (mg/kg)	Total P (mg/kg)	Total K (mg/kg)	Calcium (mg/kg)	Magnesium (mg/kg)	Sodium (mg/kg)	Sulfur (mg/kg)	Chloride (mg/kg)	Total salt (mg/kg)	TFS (%)
Value	23,900.00	7,400.00	23,900.00	17,000.00	11,500.00	7,800.00	5,400.00	7,000.00		37.50
DL	100.00	100.00	100.00	100.00	100.00	100.00	100.00	1,000.00		0.01

Drying Solids

Sample and source description: Drying Solids

Sample date: 10/13/2023 Material type: Compost Source of analysis: Lab analysis Method of reporting: Dry-weight

Moisture: 7.3 %

	Total N (mg/kg)	Total P (mg/kg)	Total K (mg/kg)	Calcium (mg/kg)	Magnesium (mg/kg)	Sodium (mg/kg)	Sulfur (mg/kg)	Chloride (mg/kg)	Total salt (mg/kg)	TFS (%)
Value	21,100.00	3,500.00	6,800.00	14,200.00	7,500.00	1,800.00	3,100.00	1,000.00		40.40
DL	100.00	100.00	100.00	100.00	100.00	100.00	100.00	1,000.00		0.01

Annual Report - General Order No. R5-2007-0035
Reporting period 01/01/2023 to 12/31/2023.

Separator Solids

Sample and source description: Separator Solids

Sample date: 10/13/2023 Material type: Separator solids Source of analysis: Lab analysis Method of reporting: Dry-weight

Moisture: 75.0 %

	Total N (mg/kg)	Total P (mg/kg)	Total K (mg/kg)	Calcium (mg/kg)	Magnesium (mg/kg)	Sodium (mg/kg)	Sulfur (mg/kg)	Chloride (mg/kg)	Total salt (mg/kg)	TFS (%)
Value	24,500.00	7,200.00	18,200.00	22,600.00	12,300.00	6,700.00	6,000.00	4,000.00		17.30
DL	100.00	100.00	100.00	100.00	100.00	100.00	100.00	1,000.00		0.01

B. PROCESS WASTEWATER ANALYSES

Slurry

Sample and source description: Slurry

Sample date: 09/08/2022 Material type: Process wastewater sludge Source of analysis: Lab analysis pH: 7.60

	Kjeldahl-N (mg/L)	NH4-N (mg/L)	NH3-N (mg/L)	Nitrate-N (mg/L)	Total P (mg/L)	Total K (mg/L)	Calcium (mg/L)	Magnes. (mg/L)	Sodium (mg/L)	Bicarb. (mg/L)	Carb. (mg/L)	Sulfate (mg/L)	Chloride (mg/L)	EC (µmhos/cm)	TDS (mg/L)
Value	2,370.00	87.80	0.00	2.50	508.00	868.00								10,900.00	2,320
DL	1.00	0.50	0.50	0.10	0.10	0.50								10.00	10

4QWW

Sample and source description: 4QWW

Sample date: 10/20/2022 Material type: Process wastewater Source of analysis: Lab analysis pH: 7.80

	Kjeldahl-N (mg/L)	NH4-N (mg/L)	NH3-N (mg/L)	Nitrate-N (mg/L)	Total P (mg/L)	Total K (mg/L)	Calcium (mg/L)	Magnes. (mg/L)	Sodium (mg/L)	Bicarb. (mg/L)	Carb. (mg/L)	Sulfate (mg/L)	Chloride (mg/L)	EC (µmhos/cm)	TDS (mg/L)
Value	427.00	255.00	0.00	2.00	41.00	651.00								6,900.00	3,730
DL	1.00	0.50	0.50	0.10	0.10	0.50								10.00	10

Annual Report - General Order No. R5-2007-0035
Reporting period 01/01/2023 to 12/31/2023.

1QWW

Sample and source description: 1QWW

Sample date: 02/16/2023 Material type: Process wastewater Source of analysis: Lab analysis pH: 7.70

	Kjeldahl-N (mg/L)	NH4-N (mg/L)	NH3-N (mg/L)	Nitrate-N (mg/L)	Total P (mg/L)	Total K (mg/L)	Calcium (mg/L)	Magnes. (mg/L)	Sodium (mg/L)	Bicarb. (mg/L)	Carb. (mg/L)	Sulfate (mg/L)	Chloride (mg/L)	EC (µmhos/cm)	TDS (mg/L)
Value	585.00	421.00	0.00	2.00	19.60	91.10								7,610.00	3,650
DL	1.00	0.50	0.50	0.10	0.10	0.50								10.00	10

2QWW

Sample and source description: 2QWW

Sample date: 06/09/2023 Material type: Process wastewater Source of analysis: Lab analysis pH: 7.80

	Kjeldahl-N (mg/L)	NH4-N (mg/L)	NH3-N (mg/L)	Nitrate-N (mg/L)	Total P (mg/L)	Total K (mg/L)	Calcium (mg/L)	Magnes. (mg/L)	Sodium (mg/L)	Bicarb. (mg/L)	Carb. (mg/L)	Sulfate (mg/L)	Chloride (mg/L)	EC (µmhos/cm)	TDS (mg/L)
Value	1,020.00	407.00	0.00	0.60	160.00	691.00								6,490.00	2,280
DL	1.00	0.50	0.50	0.10	0.10	0.50								10.00	10

3QWW

Sample and source description: 3QWW

Sample date: 09/08/2023 Material type: Process wastewater Source of analysis: Lab analysis pH: 8.00

	Kjeldahl-N (mg/L)	NH4-N (mg/L)	NH3-N (mg/L)	Nitrate-N (mg/L)	Total P (mg/L)	Total K (mg/L)	Calcium (mg/L)	Magnes. (mg/L)	Sodium (mg/L)	Bicarb. (mg/L)	Carb. (mg/L)	Sulfate (mg/L)	Chloride (mg/L)	EC (µmhos/cm)	TDS (mg/L)
Value	581.00	347.00	0.00	1.30	129.00	1,040.00	225.00	106.00	310.00	3,090.00	0.00	14.10	481.00	7,450.00	4,850
DL	1.00	0.50	0.50	0.10	0.10	0.50	0.10	0.10	1.00	10.00	1.00	0.50	0.10	10.00	10

4QWW

Sample and source description: 4QWW

Sample date: 10/27/2023 Material type: Process wastewater Source of analysis: Lab analysis pH: 7.60

	Kjeldahl-N (mg/L)	NH4-N (mg/L)	NH3-N (mg/L)	Nitrate-N (mg/L)	Total P (mg/L)	Total K (mg/L)	Calcium (mg/L)	Magnes. (mg/L)	Sodium (mg/L)	Bicarb. (mg/L)	Carb. (mg/L)	Sulfate (mg/L)	Chloride (mg/L)	EC (µmhos/cm)	TDS (mg/L)
Value	214.00	140.00	0.00	0.60	76.10	380.00								4,100.00	2,150
DL	1.00	0.50	0.50	0.10	0.10	0.50								10.00	10

Annual Report - General Order No. R5-2007-0035
Reporting period 01/01/2023 to 12/31/2023.

C. FRESH WATER ANALYSES

MID Canal

MID Canal

Sample description: MID Canal

Sample date: 10/05/2023 Source of analysis: Lab analysis

	Total N (mg/L)	NH4-N (mg/L)	Nitrate-N (mg/L)	Calcium (mg/L)	Magnesium (mg/L)	Sodium (mg/L)	Bicarbonate (mg/L)	Carbonate (mg/L)	Sulfate (mg/L)	Chloride (mg/L)	EC (µmhos/cm)	TDS (mg/L)
Value	1.00	0.00	0.10								27.00	32
DL	1.00	0.50	0.10								10.00	10

D. SOIL ANALYSES

Field 1

Soil

Sample and source description: Soil

Sample date: 09/18/2020 Source of analysis: Lab analysis

	Nitrate-N (mg/kg)	Total P (mg/kg)	Soluble P (mg/kg)	K (mg/kg)	EC (µmhos/cm)	Organic matter (%)	Total salt (mg/kg)
Value			185.00				
DL			2.00				

Field 2

Soil

Sample and source description: Soil

Sample date: 09/18/2020 Source of analysis: Lab analysis

	Nitrate-N (mg/kg)	Total P (mg/kg)	Soluble P (mg/kg)	K (mg/kg)	EC (µmhos/cm)	Organic matter (%)	Total salt (mg/kg)
Value			154.00				
DL			2.00				

Annual Report - General Order No. R5-2007-0035
Reporting period 01/01/2023 to 12/31/2023.

Field 3

Soil

Sample and source description: Soil

Sample date: 09/18/2020 Source of analysis: Lab analysis

	Nitrate-N (mg/kg)	Total P (mg/kg)	Soluble P (mg/kg)	K (mg/kg)	EC (µmhos/cm)	Organic matter (%)	Total salt (mg/kg)
Value			190.00				
DL			2.00				

Field 4A

Soil

Sample and source description: Soil

Sample date: 09/18/2020 Source of analysis: Lab analysis

	Nitrate-N (mg/kg)	Total P (mg/kg)	Soluble P (mg/kg)	K (mg/kg)	EC (µmhos/cm)	Organic matter (%)	Total salt (mg/kg)
Value			103.00				
DL			2.00				

Field 4B

Soil

Sample and source description: Soil

Sample date: 09/18/2020 Source of analysis: Lab analysis

	Nitrate-N (mg/kg)	Total P (mg/kg)	Soluble P (mg/kg)	K (mg/kg)	EC (µmhos/cm)	Organic matter (%)	Total salt (mg/kg)
Value			103.00				
DL			2.00				

Field 5A

Annual Report - General Order No. R5-2007-0035
Reporting period 01/01/2023 to 12/31/2023.

Field 5A

Soil

Sample and source description: Soil

Sample date: 09/13/2019 Source of analysis: Lab analysis

	Nitrate-N (mg/kg)	Total P (mg/kg)	Soluble P (mg/kg)	K (mg/kg)	EC (µmhos/cm)	Organic matter (%)	Total salt (mg/kg)
Value			65.00				
DL			2.00				

Field 5B

Soil

Sample and source description: Soil

Sample date: 09/13/2019 Source of analysis: Lab analysis

	Nitrate-N (mg/kg)	Total P (mg/kg)	Soluble P (mg/kg)	K (mg/kg)	EC (µmhos/cm)	Organic matter (%)	Total salt (mg/kg)
Value			65.00				
DL			2.00				

E. PLANT TISSUE ANALYSES

Field 1 - 11/01/2022: Wheat, silage, soft dough

Winter Forage

Sample and source description: Winter Forage

Sample date: 05/15/2023 Source of analysis: Lab analysis Method of reporting: As-is

Moisture: 63.0 %

	Total N (mg/kg)	Total P (mg/kg)	Total K (mg/kg)	Total salt (mg/kg)	TFS (%)
Value	7,900.00	1,100.00	6,900.00		5.50
DL	100.00	100.00	100.00		0.01

Field 1 - 05/30/2023: Corn, silage

Annual Report - General Order No. R5-2007-0035
Reporting period 01/01/2023 to 12/31/2023.

Field 1 - 05/30/2023: Corn, silage

Corn Silage

Sample and source description: Corn Silage
Sample date: 10/04/2023 Source of analysis: Lab analysis Method of reporting: As-is
Moisture: 65.1 %

	Total N (mg/kg)	Total P (mg/kg)	Total K (mg/kg)	Total salt (mg/kg)	TFS (%)
Value	4,600.00	1,000.00	6,700.00		6.40
DL	100.00	100.00	100.00		0.01

Field 2 - 11/01/2022: Wheat, silage, soft dough

Winter Forage

Sample and source description: Winter Forage
Sample date: 05/15/2023 Source of analysis: Lab analysis Method of reporting: As-is
Moisture: 70.9 %

	Total N (mg/kg)	Total P (mg/kg)	Total K (mg/kg)	Total salt (mg/kg)	TFS (%)
Value	6,100.00	1,100.00	7,400.00		8.30
DL	100.00	100.00	100.00		0.01

Field 2 - 05/30/2023: Corn, silage

Corn Silage

Sample and source description: Corn Silage
Sample date: 09/20/2023 Source of analysis: Lab analysis Method of reporting: As-is
Moisture: 64.7 %

	Total N (mg/kg)	Total P (mg/kg)	Total K (mg/kg)	Total salt (mg/kg)	TFS (%)
Value	5,200.00	1,000.00	5,300.00		5.80
DL	100.00	100.00	100.00		0.01

Annual Report - General Order No. R5-2007-0035
Reporting period 01/01/2023 to 12/31/2023.

Field 3 - 11/01/2022: Wheat, silage, soft dough

Winter Forage

Sample and source description: Winter Forage
Sample date: 05/15/2023 Source of analysis: Lab analysis Method of reporting: As-is
Moisture: 63.8 %

	Total N (mg/kg)	Total P (mg/kg)	Total K (mg/kg)	Total salt (mg/kg)	TFS (%)
Value	8,400.00	1,200.00	7,400.00		5.90
DL	100.00	100.00	100.00		0.01

Field 3 - 05/30/2023: Corn, silage

Corn Silage

Sample and source description: Corn Silage
Sample date: 09/20/2023 Source of analysis: Lab analysis Method of reporting: As-is
Moisture: 66.2 %

	Total N (mg/kg)	Total P (mg/kg)	Total K (mg/kg)	Total salt (mg/kg)	TFS (%)
Value	5,300.00	800.00	5,700.00		6.90
DL	100.00	100.00	100.00		0.01

Field 4B - 02/01/2020: Almond, in shell

Almonds

Sample and source description: Almonds
Sample date: 10/04/2023 Source of analysis: Lab analysis Method of reporting: As-is
Moisture: 5.2 %

	Total N (mg/kg)	Total P (mg/kg)	Total K (mg/kg)	Total salt (mg/kg)	TFS (%)
Value	9,900.00	1,400.00	17,400.00		6.40
DL	100.00	100.00	100.00		0.01

Annual Report - General Order No. R5-2007-0035
Reporting period 01/01/2023 to 12/31/2023.

Field 5B - 11/01/2016: Almond, in shell

Almonds

Sample and source description: Almonds
Sample date: 10/04/2023 Source of analysis: Lab analysis Method of reporting: As-is
Moisture: 5.3 %

	Total N (mg/kg)	Total P (mg/kg)	Total K (mg/kg)	Total salt (mg/kg)	TFS (%)
Value	11,200.00	1,800.00	20,900.00		6.50
DL	100.00	100.00	100.00		0.01

Field 6A - 11/01/2022: Wheat, silage, soft dough

Winter Forage

Sample and source description: Winter Forage
Sample date: 05/15/2023 Source of analysis: Lab analysis Method of reporting: As-is
Moisture: 57.3 %

	Total N (mg/kg)	Total P (mg/kg)	Total K (mg/kg)	Total salt (mg/kg)	TFS (%)
Value	6,000.00	1,100.00	6,000.00		8.50
DL	100.00	100.00	100.00		0.01

Field 6A - 05/30/2023: Corn, silage

Corn Silage

Sample and source description: Corn Silage
Sample date: 09/21/2023 Source of analysis: Lab analysis Method of reporting: As-is
Moisture: 69.1 %

	Total N (mg/kg)	Total P (mg/kg)	Total K (mg/kg)	Total salt (mg/kg)	TFS (%)
Value	4,300.00	900.00	4,200.00		6.00
DL	100.00	100.00	100.00		0.01

Annual Report - General Order No. R5-2007-0035
Reporting period 01/01/2023 to 12/31/2023.

Field 6B - 11/01/2022: Wheat, silage, soft dough

Winter Forage

Sample and source description: Winter Forage
Sample date: 05/15/2023 Source of analysis: Lab analysis Method of reporting: As-is
Moisture: 57.3 %

	Total N (mg/kg)	Total P (mg/kg)	Total K (mg/kg)	Total salt (mg/kg)	TFS (%)
Value	6,000.00	1,100.00	6,000.00		8.50
DL	100.00	100.00	100.00		0.01

Field 6B - 05/30/2023: Corn, silage

Corn Silage

Sample and source description: Corn Silage
Sample date: 09/21/2023 Source of analysis: Lab analysis Method of reporting: As-is
Moisture: 69.1 %

	Total N (mg/kg)	Total P (mg/kg)	Total K (mg/kg)	Total salt (mg/kg)	TFS (%)
Value	4,300.00	900.00	4,200.00		6.00
DL	100.00	100.00	100.00		0.01

Field 7 - 11/01/2022: Wheat, silage, soft dough

Winter Forage

Sample and source description: Winter Forage
Sample date: 05/15/2023 Source of analysis: Lab analysis Method of reporting: As-is
Moisture: 61.7 %

	Total N (mg/kg)	Total P (mg/kg)	Total K (mg/kg)	Total salt (mg/kg)	TFS (%)
Value	6,700.00	1,300.00	6,100.00		9.90
DL	100.00	100.00	100.00		0.01

Field 7 - 05/30/2023: Corn, silage

Corn Silage

Sample and source description: Corn Silage

Sample date: 09/22/2023 Source of analysis: Lab analysis Method of reporting: As-is

Moisture: 66.1 %

	Total N (mg/kg)	Total P (mg/kg)	Total K (mg/kg)	Total salt (mg/kg)	TFS (%)
Value	4,500.00	800.00	2,300.00		4.30
DL	100.00	100.00	100.00		0.01

F. SUBSURFACE (TILE) DRAINAGE ANALYSES

No subsurface (tile) drainage analyses entered.

Annual Report - General Order No. R5-2007-0035
Reporting period 01/01/2023 to 12/31/2023.

NUTRIENT APPLICATIONS, POTENTIAL REMOVAL, AND BALANCE

A. SUMMARY OF NUTRIENT APPLICATIONS, POTENTIAL REMOVAL, AND BALANCE

	Total N (lbs)	Total P (lbs)	Total K (lbs)	Total salt (lbs)
Existing soil nutrient content	0.00	0.00	0.00	0.00
Plowdown credit	0.00	0.00	0.00	0.00
Commercial fertilizer / Other	25,672.40	0.00	4,851.60	0.00
Dry manure	0.00	0.00	0.00	0.00
Process wastewater	62,230.14	10,639.26	66,639.75	310,580.87
Fresh water	2,358.68	0.00	0.00	75,477.68
Atmospheric deposition	3,472.00	0.00	0.00	0.00
Total nutrients applied	93,733.22	10,639.26	71,491.35	386,058.55
Anticipated crop nutrient removal	82,056.00	13,206.00	81,324.00	0.00
Actual crop nutrient removal	80,980.70	14,555.23	75,804.37	352,684.69
Nutrient balance	12,752.52	-3,915.97	-4,313.02	33,373.86
Applied to removed ratio	1.16	0.73	0.94	1.09

B. POUNDS OF NUTRIENT APPLIED VS. CROP REMOVAL

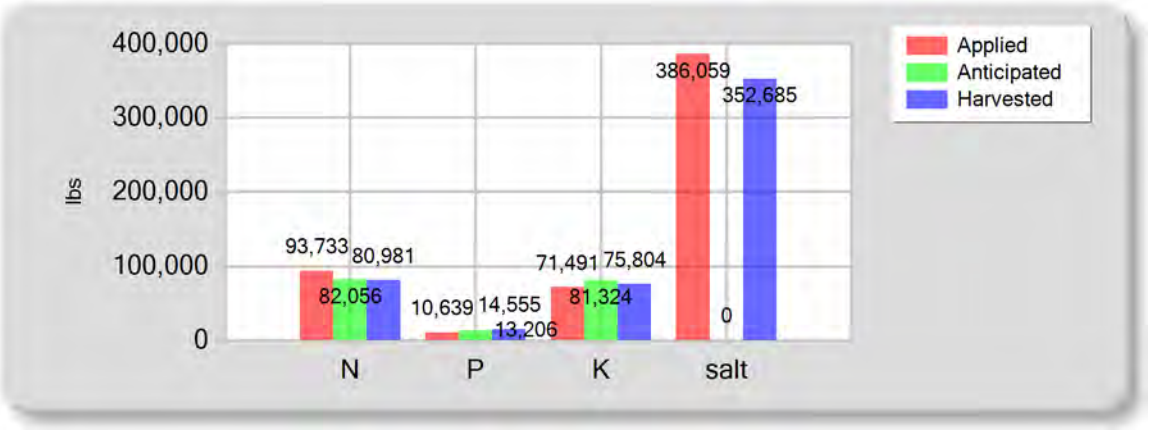

Annual Report - General Order No. R5-2007-0035
Reporting period 01/01/2023 to 12/31/2023.

C. POUNDS OF NUTRIENT APPLIED BY MATERIAL TYPE

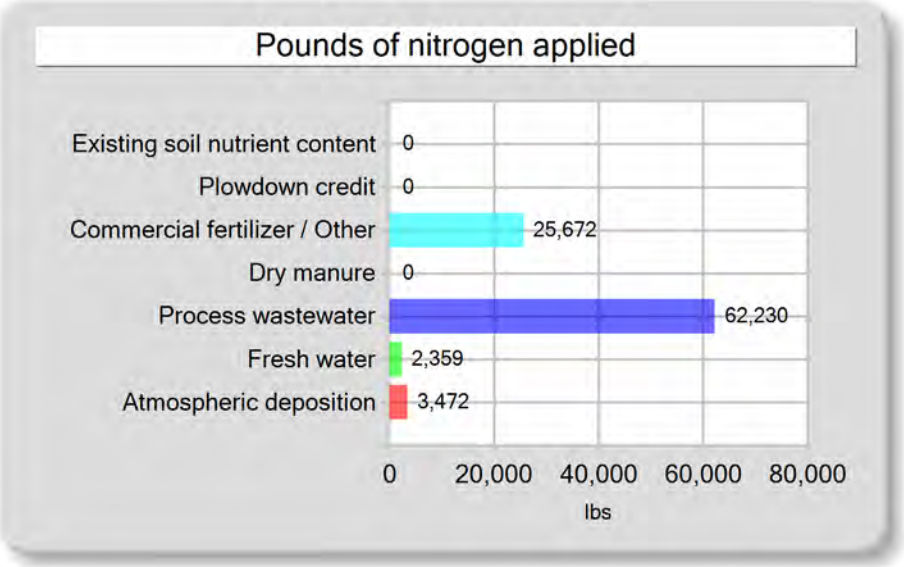

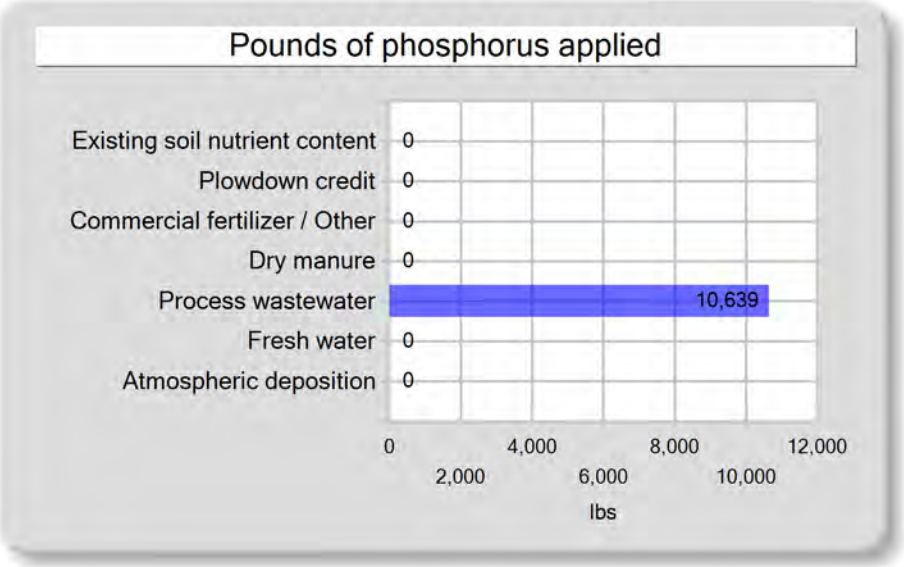

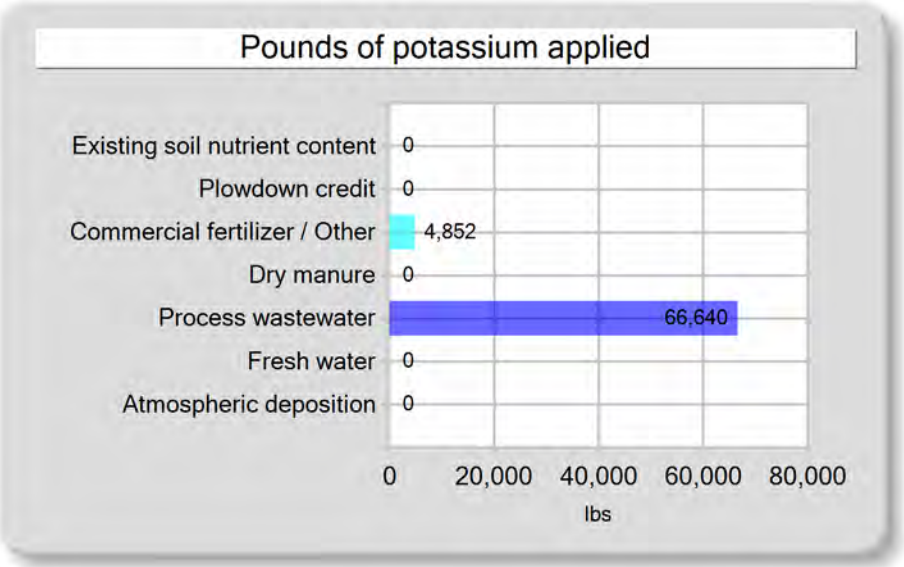

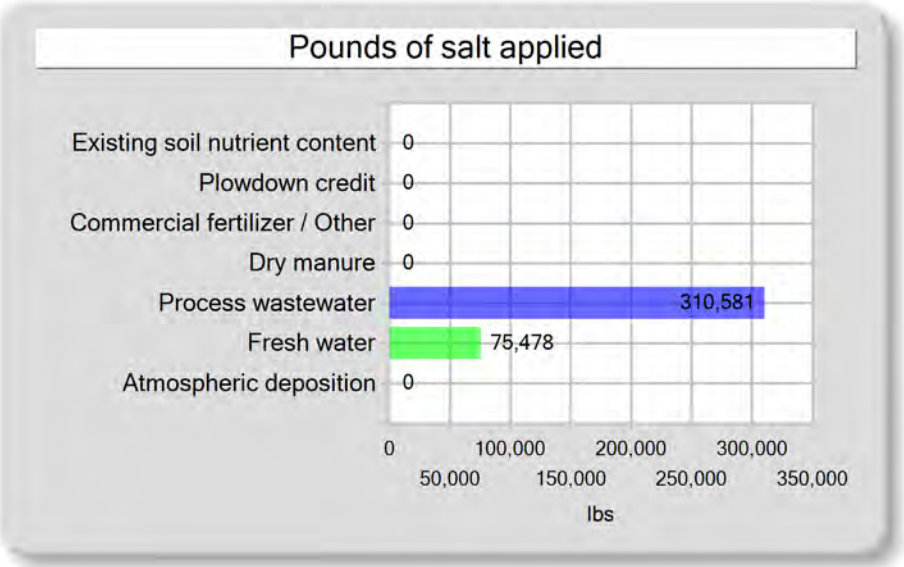

Annual Report - General Order No. R5-2007-0035
Reporting period 01/01/2023 to 12/31/2023.

EXCEPTION REPORTING

A. MANURE, PROCESS WASTEWATER, AND OTHER DAIRY WASTE DISCHARGES

The following is a summary of all manure and process wastewater discharges from the production area to surface water or to land areas (land application areas or otherwise) when not in accordance with the facility's Nutrient Management Plan.

No manure or process wastewater discharges occurred during the reporting period.

B. STORM WATER DISCHARGES

The following is a summary of all storm water discharges from the production area to surface water during the reporting period when not in accordance with the facility 's Nutrient Management Plan.

No stormwater discharges occurred during the reporting period.

C. LAND APPLICATION AREA TO SURFACE WATER DISCHARGES

The following is a summary of all discharges from the land application area to surface water that have occurred during the reporting period when not in accordance with the facility's Nutrient Management Plan.

No land application area to surface water discharges occurred during the reporting period.

NUTRIENT MANAGEMENT PLAN AND EXPORT AGREEMENT STATEMENTS

A. NUTRIENT MANAGEMENT PLAN STATEMENTS

Was the facility's NMP updated in the reporting period?	No
Was the facility's NMP developed by a certified nutrient management planner (specialist) as specified in Attachment C of the General Order?	Yes
Was the facility's NMP approved by a certified nutrient management planner (specialist) as specified in Attachment C of the General Order?	Yes

B. EXPORT AGREEMENT STATEMENT

Are there any written agreements with third parties to receive manure or process wastewater that are new or were revised within the reporting period?	No

Annual Report - General Order No. R5-2007-0035
Reporting period 01/01/2023 to 12/31/2023.

ADDITIONAL NOTES

A. NOTES

Precipitation utilized during winter months to meet forage freshwater requirements.

Irrigation well IW 9 was not utilized during 2023 due to excessive amounts of rain during the winter season. Surface water was at 100% allocation and therefore was the only irrigation source used during the 2023 cropping season. The irrigation well will be sampled when used.

Fields 1 Corn & 2 Corn had lower than anticipated removal rates. This was due to lower than expected yields and/or a lower than expected %N. The %N was based on analysis that was derived through a certified laboratory. However, the applications to these fields matched the low removal rates and was able to meet the field ratio threshold of 1.4.

Fields 3 Winter Forage, 6A Winter Forage, 6B Winter Forage, & 7 Winter Forage had higher than anticipated removal rates. This was due to higher than expected %N and/or yield. The %N removed, which is based on analysis derived through a certified laboratory, exceeded the anticipated values for this crop. Appropriate management practices resulted in decent yields and/or higher than expected nutrient removal rates.

Fields 4B & 5B Almonds had lower a than anticipated removal rates, which was due to low tonnage and/or %N. This resulted in field ratios slightly exceeding target limits.

Nutrients applied to permanent crops, such as trees and vines, are used for tree growth, vine development and fruit production (grapes, nuts, etc.). Comparing nutrient applications to nutrient content of harvested material for permanent crops is not appropriate and at times will result in high field ratios. A more accurate reporting methodology will need to be developed in order to account for nutrients retained in the permanent crops. All applications will continue to be monitored closely to ensure that over application of nutrients does not occur.

Fields 4B Almonds, 5A Almonds, 5B Almonds, 6A Corn, 6B Corn, & 7 Corn received no wastewater or solid manure in 2023. All nutrients applied to these fields was contributed through freshwater &/or commercial fertilizer applications only.

Field 4A Almonds was planted 2/21/23, however the trees did not take and had to be removed. Field remained fallow during the 2023 cropping season.

Annual Report - General Order No. R5-2007-0035
Reporting period 01/01/2023 to 12/31/2023.

CERTIFICATION

A. OWNER AND/OR OPERATOR CERTIFICATION

I certify under penalty of law that I have personally examined and am familiar with the information submitted in this document and all attachments and that, based on my inquiry of those individuals immediately responsible for obtaining the information, I believe that the information is true, accurate, and complete. I am aware that there are significant penalties for submitting false information, including the possibility of fine and imprisonment.

DocuSigned by:
Wes Bylsma
195C94CEA753484...

SIGNATURE OF OWNER OF FACILITY	SIGNATURE OF OPERATOR OF FACILITY
Wes Bylsma	SAME AS OWNER
PRINT OR TYPE NAME	PRINT OR TYPE NAME
6/24/2024	
DATE	DATE

Annual Report - General Order No. R5-2007-0035
Reporting period 01/01/2023 to 12/31/2023.

ATTACHMENTS

A. REQUIRED ATTACHMENTS

The following lists the required documents that should be attached to the Annual Report when submitted .

Annual Dairy Facility Assessment
Provide an Annual Dairy Facility Assessment (an update to the Preliminary Dairy Facility Assessment in Attachment A) for each reporting period. On the PDFA Final page, click on the ADFA Report button to generate an ADFA report after updating information as needed .

Manure/Process Wastewater Tracking Manifests
Provide copies of all manure/process wastewater tracking manifests for the reporting period, signed by both the owner/operator and the hauler.

Corrective Actions Documents
Provide records documenting any corrective actions taken to correct deficiencies noted as a result of the inspections required in the Monitoring Requirements of the General Order. Deficiencies not corrected in 30 days must be accompanied by an explanation of the factors preventing immediate correction.

Groundwater Monitoring
Dischargers that monitor supply wells or subsurface (tile) drainage systems, or that have monitoring well systems must submit monitoring results as directed in the General Order, Groundwater Reporting Section starting on page MRP-13.

Storm Water Monitoring
Dischargers that are required to monitor storm water more frequently than required in the General Order must submit monitoring results as directed in the General Order, Storm Water Reporting Section on page MRP-14.

DocuSign Envelope ID: 23C99F0C-56DC-477E-BC93-0082488ECF2C

Manure / Process Wastewater Tracking Manifest
For
Existing Milk Cow Dairies

General Order No. R5-2007-0035, Attachment D

INSTRUCTIONS

1) Complete one manifest for each hauling event, for each destination. A hauling event may last for several days, as long as the manure is being hauled to the same destination.
2) If there are multiple destinations, complete a separate form for each destination.
3) The operator must obtain the signature of the hauler upon completion of each manure/process wastewater hauling event.
4) The operator shall submit copies of manure/process wastewater tracking manifest(s) with the Annual Monitoring Report for Existing Milk Cow Dairies.

OPERATOR INFORMATION

Name of Operator: Wes Bylsma

Name of Dairy Facility: Double B Dairy

Facility Address:

Number and Street	City	County	Zip Code
5817 E Worden AVE	Merced	Merced	95340

Contact Person Name and Phone Number:

Name	Phone Number
Wes Bylsma	(209) 847-3362

PROCESS WASTEWATER HAULER INFORMATION

Name of Hauling Company/Person: Diamond J Farms

Address of Hauling Company/Person:

Number and Street	City	State	Zip Code
602 E Sandy Mush Rd	Merced	CA	95341

Contact Person:

Name	Phone Number
Wiebren Jonkman	(209) 564-0870

DESTINATION INFORMATION

Composting Facility / Broker / Farmer / Other (identify): Farmer

Contact information of Composting Facility, Broker, Farmer, or Other (as identified above):

Name	Phone Number
Ranch Road Farms	(209) 564-0870

Address	City	State	Zip Code
602 E Sandy Mush Rd	Merced	CA	95341

Destination Address or Assessor's Parcel Number:

Address	City	Zip Code
602 E Sandy Mush Rd	Merced	95341

Street and nearest cross street (if no address)	County
	Merced

Assessor's Parcel Number	Assessor's Parcel Number County

Last date hauled: 06/15/2023

Manure / Process Wastewater Tracking Manifest
For
Existing Milk Cow Dairies

General Order No. R5-2007-0035, Attachment D

PROCESS WASTEWATER AMOUNT HAULED

Enter the amount of process wastewater hauled in gallons and the method used to determine the amount:

Process Wastewater: 3,990,000 gallons

Method used to determine volume of process wastewater:

Number of loads multiplied by tank volume

WRITTEN AGREEMENT

Does the Operator have a written agreement (in compliance with Land Application Specification C.2 of Waste Discharge Requirements General Order No. R5-2007-0035) with any party that receives process wastewater from the Operator for its own use?

[X] YES [ ] NO

If the answer is no, the Operator agrees to have such a written agreement with any such party for any process wastewater transferred after 31 December 2007 to such party.

_____ (Operator shall provide initials here to acknowledge this requirement)

CERTIFICATION

I declare under penalty of law that I personally examined and am familiar with the information submitted in this document, and that based on my inquiry of those individuals immediately responsible for obtaining the information, I believe that the information is true , accurate, and complete. I am aware that there are significant penalties for submitting false information, including the possibility of a fine and imprisonment for knowing violations.

DocuSigned by:
Wes Bylsma
195C94CEA753484...

6/24/2024

Operator Signature — Date

DocuSigned by:
Wiebren Jonkman
195C94CEA753484...

6/24/2024

Hauler Signature — Date

DocuSign Envelope ID: 23C99F0C-56DC-477E-BC93-0082488ECF2C

Manure / Process Wastewater Tracking Manifest
For
Existing Milk Cow Dairies

General Order No. R5-2007-0035, Attachment D

INSTRUCTIONS

1) Complete one manifest for each hauling event, for each destination. A hauling event may last for several days, as long as the manure is being hauled to the same destination.
2) If there are multiple destinations, complete a separate form for each destination.
3) The operator must obtain the signature of the hauler upon completion of each manure/process wastewater hauling event.
4) The operator shall submit copies of manure/process wastewater tracking manifest(s) with the Annual Monitoring Report for Existing Milk Cow Dairies.

OPERATOR INFORMATION

Name of Operator: Wes Bylsma

Name of Dairy Facility: Double B Dairy

Facility Address:

Number and Street	City	County	Zip Code
5817 E Worden AVE	Merced	Merced	95340

Contact Person Name and Phone Number:

Name	Phone Number
Wes Bylsma	(209) 847-3362

MANURE HAULER INFORMATION

Name of Hauling Company/Person: Kenneth R Stones Spreading Services

Address of Hauling Company/Person:

Number and Street	City	State	Zip Code
5175 Shaw Ave	Winton	CA	95388

Contact Person:

Name	Phone Number
Paul Stone	(209) 756-1491

DESTINATION INFORMATION

Composting Facility / Broker / Farmer / Other (identify): Farmer

Contact information of Composting Facility, Broker, Farmer, or Other (as identified above):

Name	Phone Number
Kenneth R Stones Spreading Services	(209) 756-1491

Address	City	State	Zip Code
5175 Shaw Ave	Winton	CA	95388

Destination Address or Assessor's Parcel Number:

Address	City	Zip Code
5175 Shaw Ave	Winton	95388

Street and nearest cross street (if no address)	County
	Merced

Assessor's Parcel Number	Assessor's Parcel Number County

Last date hauled: 02/22/2023

Manure / Process Wastewater Tracking Manifest
For
Existing Milk Cow Dairies

General Order No. R5-2007-0035, Attachment D

MANURE AMOUNT HAULED

Enter the amount of manure hauled in tons, manure solids content, and the method used to calculate the amount:

Manure: 1,395.95 tons

Manure Solids Content: 24.2 %

Method used to determine amount of manure:

Number of loads multiplied by load weight

CERTIFICATION

I declare under penalty of law that I personally examined and am familiar with the information submitted in this document, and that based on my inquiry of those individuals immediately responsible for obtaining the information, I believe that the information is true , accurate, and complete. I am aware that there are significant penalties for submitting false information, including the possibility of a fine and imprisonment for knowing violations.

DocuSigned by:
Wes Bylsma
195C94CEA753484...
Operator Signature — Date: 6/24/2024

DocuSigned by:
Paul Stone
195C94CEA753484...
Hauler Signature — Date: 6/24/2024

Manure / Process Wastewater Tracking Manifest
For
Existing Milk Cow Dairies

General Order No. R5-2007-0035, Attachment D

INSTRUCTIONS

1) Complete one manifest for each hauling event, for each destination. A hauling event may last for several days, as long as the manure is being hauled to the same destination.
2) If there are multiple destinations, complete a separate form for each destination.
3) The operator must obtain the signature of the hauler upon completion of each manure/process wastewater hauling event.
4) The operator shall submit copies of manure/process wastewater tracking manifest(s) with the Annual Monitoring Report for Existing Milk Cow Dairies.

OPERATOR INFORMATION

Name of Operator: Wes Bylsma

Name of Dairy Facility: Double B Dairy

Facility Address:

Number and Street	City	County	Zip Code
5817 E Worden AVE	Merced	Merced	95340

Contact Person Name and Phone Number:

Name	Phone Number
Wes Bylsma	(209) 847-3362

MANURE HAULER INFORMATION

Name of Hauling Company/Person: Kenneth R Stones Spreading Services

Address of Hauling Company/Person:

Number and Street	City	State	Zip Code
5175 Shaw Ave	Winton	CA	95388

Contact Person:

Name	Phone Number
Paul Stone	(209) 756-1491

DESTINATION INFORMATION

Composting Facility / Broker / Farmer / Other (identify): Farmer

Contact information of Composting Facility, Broker, Farmer, or Other (as identified above):

Name	Phone Number
Kenneth R Stones Spreading Services	(209) 756-1491

Address	City	State	Zip Code
5175 Shaw Ave	Winton	CA	95388

Destination Address or Assessor's Parcel Number:

Address	City	Zip Code
5175 Shaw Ave	Winton	95388

Street and nearest cross street (if no address)	County
	Merced

Assessor's Parcel Number	Assessor's Parcel Number County

Last date hauled: 08/31/2023

Manure / Process Wastewater Tracking Manifest
For
Existing Milk Cow Dairies

General Order No. R5-2007-0035, Attachment D

MANURE AMOUNT HAULED

Enter the amount of manure hauled in tons, manure solids content, and the method used to calculate the amount:

Manure: 575.47 tons

Manure Solids Content: 25.0 %

Method used to determine amount of manure:

Number of loads multiplied by load weight

CERTIFICATION

I declare under penalty of law that I personally examined and am familiar with the information submitted in this document, and that based on my inquiry of those individuals immediately responsible for obtaining the information, I believe that the information is true , accurate, and complete. I am aware that there are significant penalties for submitting false information, including the possibility of a fine and imprisonment for knowing violations.

DocuSigned by:
Wes Bylsma
195C94CEA753484...
Operator Signature — Date: 6/24/2024

DocuSigned by:
Paul Stone
195C94CEA753484...
Hauler Signature — Date: 6/24/2024

Manure / Process Wastewater Tracking Manifest
For
Existing Milk Cow Dairies

General Order No. R5-2007-0035, Attachment D

INSTRUCTIONS

1) Complete one manifest for each hauling event, for each destination. A hauling event may last for several days, as long as the manure is being hauled to the same destination.
2) If there are multiple destinations, complete a separate form for each destination.
3) The operator must obtain the signature of the hauler upon completion of each manure/process wastewater hauling event.
4) The operator shall submit copies of manure/process wastewater tracking manifest(s) with the Annual Monitoring Report for Existing Milk Cow Dairies.

OPERATOR INFORMATION

Name of Operator: Wes Bylsma

Name of Dairy Facility: Double B Dairy

Facility Address:

Number and Street	City	County	Zip Code
5817 E Worden AVE	Merced	Merced	95340

Contact Person Name and Phone Number:

Name	Phone Number
Wes Bylsma	(209) 847-3362

MANURE HAULER INFORMATION

Name of Hauling Company/Person: Kenneth R Stones Spreading Services

Address of Hauling Company/Person:

Number and Street	City	State	Zip Code
5175 Shaw Ave	Winton	CA	95388

Contact Person:

Name	Phone Number
Paul Stone	(209) 756-1491

DESTINATION INFORMATION

Composting Facility / Broker / Farmer / Other (identify): Farmer

Contact information of Composting Facility, Broker, Farmer, or Other (as identified above):

Name	Phone Number
Kenneth R Stones Spreading Services	(209) 756-1491

Address	City	State	Zip Code
5175 Shaw Ave	Winton	CA	95388

Destination Address or Assessor's Parcel Number:

Address	City	Zip Code
5175 Shaw Ave	Winton	95388

Street and nearest cross street (if no address)	County
	Merced

Assessor's Parcel Number	Assessor's Parcel Number County

Last date hauled: 10/25/2023

Manure / Process Wastewater Tracking Manifest
For
Existing Milk Cow Dairies

General Order No. R5-2007-0035, Attachment D

MANURE AMOUNT HAULED

Enter the amount of manure hauled in tons, manure solids content, and the method used to calculate the amount:

Manure: 775.00 tons

Manure Solids Content: 56.4 %

Method used to determine amount of manure:

Number of loads multiplied by load weight

CERTIFICATION

I declare under penalty of law that I personally examined and am familiar with the information submitted in this document, and that based on my inquiry of those individuals immediately responsible for obtaining the information, I believe that the information is true , accurate, and complete. I am aware that there are significant penalties for submitting false information, including the possibility of a fine and imprisonment for knowing violations.

DocuSigned by:
Wes Bylsma
195C94CEA753484...
Operator Signature — Date: 6/24/2024

DocuSigned by:
Paul Stone
195C94CEA753484...
Hauler Signature — Date: 6/24/2024

Manure / Process Wastewater Tracking Manifest
For
Existing Milk Cow Dairies

General Order No. R5-2007-0035, Attachment D

INSTRUCTIONS

1) Complete one manifest for each hauling event, for each destination. A hauling event may last for several days, as long as the manure is being hauled to the same destination.
2) If there are multiple destinations, complete a separate form for each destination.
3) The operator must obtain the signature of the hauler upon completion of each manure/process wastewater hauling event.
4) The operator shall submit copies of manure/process wastewater tracking manifest(s) with the Annual Monitoring Report for Existing Milk Cow Dairies.

OPERATOR INFORMATION

Name of Operator: Wes Bylsma

Name of Dairy Facility: Double B Dairy

Facility Address:

Number and Street	City	County	Zip Code
5817 E Worden AVE	Merced	Merced	95340

Contact Person Name and Phone Number:

Name	Phone Number
Bylsma	(209) 847-3362

MANURE HAULER INFORMATION

Name of Hauling Company/Person: Kenneth R Stones Spreading Services

Address of Hauling Company/Person:

Number and Street	City	State	Zip Code
5175 Shaw Ave	Winton	CA	95388

Contact Person:

Name	Phone Number
Paul Stone	(209) 756-1491

DESTINATION INFORMATION

Composting Facility / Broker / Farmer / Other (identify): Farmer

Contact information of Composting Facility, Broker, Farmer, or Other (as identified above):

Name	Phone Number
Kenneth R Stones Spreading Services	(209) 756-1491

Address	City	State	Zip Code
5175 Shaw Ave	Winton	CA	95388

Destination Address or Assessor's Parcel Number:

Address	City	Zip Code
5175 Shaw Ave	Winton	95388

Street and nearest cross street (if no address)	County
	Merced

Assessor's Parcel Number	Assessor's Parcel Number County

Last date hauled: 10/27/2023

Manure / Process Wastewater Tracking Manifest
For
Existing Milk Cow Dairies

General Order No. R5-2007-0035, Attachment D

MANURE AMOUNT HAULED

Enter the amount of manure hauled in tons, manure solids content, and the method used to calculate the amount:

Manure: 800.00 tons

Manure Solids Content: 25.0 %

Method used to determine amount of manure:

Number of loads multiplied by load weight

CERTIFICATION

I declare under penalty of law that I personally examined and am familiar with the information submitted in this document, and that based on my inquiry of those individuals immediately responsible for obtaining the information, I believe that the information is true , accurate, and complete. I am aware that there are significant penalties for submitting false information, including the possibility of a fine and imprisonment for knowing violations.

DocuSigned by:
Wes Bylsma
195C94CEA753484...
Operator Signature — Date: 6/24/2024

DocuSigned by:
Paul Stone
195C94CEA753484...
Hauler Signature — Date: 6/24/2024

DocuSign Envelope ID: 23C99F0C-56DC-477E-BC93-0082488ECF2C

Manure / Process Wastewater Tracking Manifest
For
Existing Milk Cow Dairies

General Order No. R5-2007-0035, Attachment D

INSTRUCTIONS

1) Complete one manifest for each hauling event, for each destination. A hauling event may last for several days, as long as the manure is being hauled to the same destination.
2) If there are multiple destinations, complete a separate form for each destination.
3) The operator must obtain the signature of the hauler upon completion of each manure/process wastewater hauling event.
4) The operator shall submit copies of manure/process wastewater tracking manifest(s) with the Annual Monitoring Report for Existing Milk Cow Dairies.

OPERATOR INFORMATION

Name of Operator: Wes Bylsma

Name of Dairy Facility: Double B Dairy

Facility Address:

Number and Street	City	County	Zip Code
5817 E Worden AVE	Merced	Merced	95340

Contact Person Name and Phone Number:

Name	Phone Number
Wes Bylsma	(209) 847-3362

MANURE HAULER INFORMATION

Name of Hauling Company/Person: Kenneth R Stones Spreading Services

Address of Hauling Company/Person:

Number and Street	City	State	Zip Code
5175 Shaw Ave	Winton	CA	95388

Contact Person:

Name	Phone Number
Paul Stone	(209) 756-1491

DESTINATION INFORMATION

Composting Facility / Broker / Farmer / Other (identify): Farmer

Contact information of Composting Facility, Broker, Farmer, or Other (as identified above):

Name	Phone Number
Kenneth R Stones Spreading Services	(209) 756-1491

Address	City	State	Zip Code
5175 Shaw Ave	Winton	CA	95388

Destination Address or Assessor's Parcel Number:

Address	City	Zip Code
5175 Shaw Ave	Winton	95388

Street and nearest cross street (if no address)	County
	Merced

Assessor's Parcel Number	Assessor's Parcel Number County

Last date hauled: 12/19/2023

Manure / Process Wastewater Tracking Manifest
For
Existing Milk Cow Dairies

General Order No. R5-2007-0035, Attachment D

MANURE AMOUNT HAULED

Enter the amount of manure hauled in tons, manure solids content, and the method used to calculate the amount:

Manure: 1,154.73 tons

Manure Solids Content: 25.0 %

Method used to determine amount of manure:

Number of loads multiplied by load weight

CERTIFICATION

I declare under penalty of law that I personally examined and am familiar with the information submitted in this document, and that based on my inquiry of those individuals immediately responsible for obtaining the information, I believe that the information is true , accurate, and complete. I am aware that there are significant penalties for submitting false information, including the possibility of a fine and imprisonment for knowing violations.

DocuSigned by:
Wes Bylsma
195C94CEA753484...
6/24/2024

Operator Signature Date

DocuSigned by:
Paul Stone
195C94CEA753484...
6/24/2024

Hauler Signature Date

DocuSign Envelope ID: 23C99F0C-56DC-477E-BC93-0082488ECF2C

DELLAVALLE™
LABORATORY INC

Double B Dairy
7248 Worden Avenue
Merced, CA 95341

Account# 00-0022202
Account Manager: Ben Nydam
Submitted By: Wes B

Received: 10/05/2023 13:48
Reported: 10/10/2023 09:05

Samples in this Report

Lab ID	Sample	Matrix	Sampled By	Crop	Date Sampled
23J0405-01	Mid Canal	Canal Water		Canal	10/04/2023 8:00

Default Cooler Temperature on Receipt °C: 0.5

Containers Intact
COC/Labels Agree
Preservation Confirmed
Received On Ice

Notes and Definitions

Item	Definition
H	Hold Time Exceeded
MCL	Drinking Water Maximum Contaminant Level
ND	Analyte NOT DETECTED at or above the reporting limit.
NES	Not Enough Sample
*	Not Taken
RPD	Relative Percent Difference
%REC	Percent Recovery
Source	Sample that was matrix spiked or duplicated.

Scott McFriedland

Laboratory Director/Technical Manager

ELAP Certification #1595
A2LA Certification #6440.02

The results in this report apply to the samples as received and were analyzed in accordance with the chain of custody document. This analytical report must be reproduced in its entirety. All results listed in this report are for the exclusive use of the submitting party. Dellavalle Laboratory, Inc. assumes no responsibility for report alteration, separation, detachment or third party interpretation.

DELLAVALLE™ LABORATORY INC

Double B Dairy
7248 Worden Avenue
Merced, CA 95341

Account# 00-0022202
Account Manager: Ben Nydam
Submitted By: Wes B

Received: 10/05/2023 13:48
Reported: 10/10/2023 09:05

Sample Results

Sample: Mid Canal
23J0405-01 (Water)

Sampled: 10/4/2023 8:00
Sampled By:

Analyte	Result	Units	Reporting Limit	DIL	DW MCL	Date/Time Analyzed	Method	Notes	Batch
Electrical Conductivity	**0.03**	mmhos/cm	0.01	1		10/05/23 15:45	SM 2510 B		BEJ0189
Electrical Conductivity umhos	**26.7**	umhos/cm	10.0	1		10/05/23 15:45	SM 2510 B		BEJ0189
Nitrate Nitrogen as NO3N	ND	mg/L	0.1	1	10	10/05/23 20:18	EPA 300.0		BEJ0192
Temperature	**25.0**	units	0.0	1		10/05/23 15:45	SM 4500-H+	H	BEJ0189
pH	**6.1**	units	1.0	1		10/05/23 15:45	SM 4500-H+	H	BEJ0189
Total Filterable Solids (TDS)	**32.0**	mg/L	10.0	1		10/06/23 13:08	SM 2540 C		BEJ0199
Kjeldahl Nitrogen (TKN), Total	ND	mg/L	1.00	1		10/09/23 09:21	SM 4500-NH3 C		BEJ0265
Total Nitrogen	ND	mg/L	1.00	1		10/09/23 09:21	SM 4500-NH3 C		BEJ0265

The results in this report apply to the samples as received and were analyzed in accordance with the chain of custody document. This analytical report must be reproduced in its entirety. All results listed in this report are for the exclusive use of the submitting party. Dellavalle Laboratory, Inc. assumes no responsibility for report alteration, separation, detachment or third party interpretation.

DELLAVALLE™ LABORATORY INC

Double B Dairy
7248 Worden Avenue
Merced, CA 95341

Account# 00-0022202
Account Manager: Ben Nydam
Submitted By: Wes B

Received: 10/05/2023 13:48
Reported: 10/10/2023 09:05

Quality Control

Analyte	Result	Qual	Reporting Limit	Units	Spike Level	Source Result	%REC	%REC Limits	RPD	RPD Limit
Batch: BEJ0189										
Blank (BEJ0189-BLK1)					Prepared & Analyzed: 10/5/2023					
Electrical Conductivity	ND		0.01	mmhos/cm						
Temperature	25.0		0.0	units						
Electrical Conductivity umhos	ND		10.0	umhos/cm						
pH	5.5		1.0	units						
Blank (BEJ0189-BLK3)					Prepared & Analyzed: 10/5/2023					
Electrical Conductivity	ND		0.01	mmhos/cm						
Temperature	25.0		0.0	units						
Electrical Conductivity umhos	ND		10.0	umhos/cm						
pH	7.0		1.0	units						
Duplicate (BEJ0189-DUP2)	**Source: 23J0307-01**				Prepared & Analyzed: 10/5/2023					
Electrical Conductivity	0.03		0.01	mmhos/cm		0.03			2.61	10
Electrical Conductivity umhos	27.2		10.0	umhos/cm		26.5			2.61	10
pH	7.8		1.0	units		7.3			6.52	10
Reference (BEJ0189-SRM1)					Prepared & Analyzed: 10/5/2023					
Electrical Conductivity	568			umhos/cm	538.0		106	90-110		
Reference (BEJ0189-SRM2)					Prepared & Analyzed: 10/5/2023					
pH	5.9			units	5.820		101	28178-101.7		
Reference (BEJ0189-SRM3)					Prepared & Analyzed: 10/5/2023					
Electrical Conductivity	1070			umhos/cm	1000		107	90-110		
Electrical Conductivity umhos	1070			umhos/cm	1000		107	90-110		
Reference (BEJ0189-SRM5)					Prepared & Analyzed: 10/5/2023					
Electrical Conductivity	1080			umhos/cm	1000		108	90-110		
Electrical Conductivity umhos	1080			umhos/cm	1000		108	90-110		
Reference (BEJ0189-SRM6)					Prepared & Analyzed: 10/5/2023					
pH	4.0			units	4.000		101	97.5-102.5		
Reference (BEJ0189-SRM8)					Prepared & Analyzed: 10/5/2023					
pH	4.0			units	4.000		101	97.5-102.5		

The results in this report apply to the samples as received and were analyzed in accordance with the chain of custody document. This analytical report must be reproduced in its entirety. All results listed in this report are for the exclusive use of the submitting party. Dellavalle Laboratory, Inc. assumes no responsibility for report alteration, separation, detachment or third party interpretation.

DELLAVALLE™ LABORATORY INC

Double B Dairy
7248 Worden Avenue
Merced, CA 95341

Account# 00-0022202
Account Manager: Ben Nydam
Submitted By: Wes B

Received: 10/05/2023 13:48
Reported: 10/10/2023 09:05

Quality Control
(Continued)

Analyte	Result	Qual	Reporting Limit	Units	Spike Level	Source Result	%REC	%REC Limits	RPD	RPD Limit
Batch: BEJ0192										
Blank (BEJ0192-BLK1)					Prepared & Analyzed: 10/5/2023					
Nitrate Nitrogen as NO3N	ND		0.1	mg/L						
Blank (BEJ0192-BLK2)					Prepared: 10/5/2023 Analyzed: 10/6/2023					
Nitrate Nitrogen as NO3N	ND		0.1	mg/L						
Blank (BEJ0192-BLK3)					Prepared: 10/5/2023 Analyzed: 10/6/2023					
Nitrate Nitrogen as NO3N	ND		0.1	mg/L						
LCS (BEJ0192-BS1)					Prepared: 10/5/2023 Analyzed: 10/6/2023					
Nitrate Nitrogen as NO3N	5.1		0.1	mg/L	5.000		102	90-110		
LCS (BEJ0192-BS2)					Prepared: 10/5/2023 Analyzed: 10/6/2023					
Nitrate Nitrogen as NO3N	5.1		0.1	mg/L	5.000		102	90-110		
Duplicate (BEJ0192-DUP1)		**Source: 23J0405-01**			Prepared: 10/5/2023 Analyzed: 10/6/2023					
Nitrate Nitrogen as NO3N	0.03		0.1	mg/L		0.03			6.06	10
Duplicate (BEJ0192-DUP2)		**Source: 23J0462-01**			Prepared: 10/5/2023 Analyzed: 10/6/2023					
Nitrate Nitrogen as NO3N	0.06		0.1	mg/L		0.06			6.35	10
Matrix Spike (BEJ0192-MS1)		**Source: 23J0405-01**			Prepared: 10/5/2023 Analyzed: 10/6/2023					
Nitrate Nitrogen as NO3N	5.0		0.1	mg/L	5.000	0.03	99.4	90-110		
Matrix Spike (BEJ0192-MS2)		**Source: 23J0462-01**			Prepared: 10/5/2023 Analyzed: 10/6/2023					
Nitrate Nitrogen as NO3N	5.1		0.1	mg/L	5.000	0.06	100	90-110		
Reference (BEJ0192-SRM1)					Prepared & Analyzed: 10/5/2023					
Nitrate Nitrogen as NO3N	10.0			mg/L	10.00		99.6	90-110		
Reference (BEJ0192-SRM2)					Prepared: 10/5/2023 Analyzed: 10/6/2023					
Nitrate Nitrogen as NO3N	10.0			mg/L	10.00		100	90-110		
Reference (BEJ0192-SRM3)					Prepared: 10/5/2023 Analyzed: 10/6/2023					
Nitrate Nitrogen as NO3N	10.0			mg/L	10.00		100	90-110		

The results in this report apply to the samples as received and were analyzed in accordance with the chain of custody document. This analytical report must be reproduced in its entirety. All results listed in this report are for the exclusive use of the submitting party. Dellavalle Laboratory, Inc. assumes no responsibility for report alteration, separation, detachment or third party interpretation.

DELLAVALLE™ LABORATORY INC

Double B Dairy
7248 Worden Avenue
Merced, CA 95341

Account# 00-0022202
Account Manager: Ben Nydam
Submitted By: Wes B

Received: 10/05/2023 13:48
Reported: 10/10/2023 09:05

Quality Control
(Continued)

Analyte	Result	Qual	Reporting Limit	Units	Spike Level	Source Result	%REC	%REC Limits	RPD	RPD Limit
Batch: BEJ0199										
Blank (BEJ0199-BLK1)					Prepared: 10/5/2023	Analyzed: 10/6/2023				
Total Filterable Solids (TDS)	ND		10.0	mg/L						
LCS (BEJ0199-BS1)					Prepared: 10/5/2023	Analyzed: 10/6/2023				
Total Filterable Solids (TDS)	32.5		10.0	mg/L	2000		1.62	0-200		
Duplicate (BEJ0199-DUP1)		**Source: 23J0291-01**			Prepared: 10/5/2023	Analyzed: 10/6/2023				
Total Filterable Solids (TDS)	180		10.0	mg/L		180			0.00	10
Reference (BEJ0199-SRM1)					Prepared: 10/5/2023	Analyzed: 10/6/2023				
Total Filterable Solids (TDS)	323			mg/L	325.0		99.5	90-110		

The results in this report apply to the samples as received and were analyzed in accordance with the chain of custody document. This analytical report must be reproduced in its entirety. All results listed in this report are for the exclusive use of the submitting party. Dellavalle Laboratory, Inc. assumes no responsibility for report alteration, separation, detachment or third party interpretation.

DELLAVALLE™ LABORATORY INC

Double B Dairy
7248 Worden Avenue
Merced, CA 95341

Account# 00-0022202
Account Manager: Ben Nydam
Submitted By: Wes B

Received: 10/05/2023 13:48
Reported: 10/10/2023 09:05

Quality Control
(Continued)

Analyte	Result	Qual	Reporting Limit	Units	Spike Level	Source Result	%REC	%REC Limits	RPD	RPD Limit
Batch: BEJ0265										
Blank (BEJ0265-BLK1)					Prepared: 10/6/2023	Analyzed: 10/9/2023				
Kjeldahl Nitrogen (TKN), Total	ND		1.00	mg/L						
Total Nitrogen	ND		1.00	mg/L						
LCS (BEJ0265-BS1)					Prepared: 10/6/2023	Analyzed: 10/9/2023				
Kjeldahl Nitrogen (TKN), Total	5.52		1.00	mg/L	5.709		96.6	90-110		
Duplicate (BEJ0265-DUP1)		**Source: 23J0405-01**			Prepared: 10/6/2023	Analyzed: 10/9/2023				
Kjeldahl Nitrogen (TKN), Total	ND		1.40	mg/L		ND				10
Matrix Spike (BEJ0265-MS1)		**Source: 23J0405-01**			Prepared: 10/6/2023	Analyzed: 10/9/2023				
Kjeldahl Nitrogen (TKN), Total	8.24		1.40	mg/L	7.992	ND	103	90-110		
Reference (BEJ0265-SRM1)					Prepared: 10/6/2023	Analyzed: 10/9/2023				
Kjeldahl Nitrogen (TKN), Total	24.9			mg/L	23.80		105	90-110		

The results in this report apply to the samples as received and were analyzed in accordance with the chain of custody document. This analytical report must be reproduced in its entirety. All results listed in this report are for the exclusive use of the submitting party. Dellavalle Laboratory, Inc. assumes no responsibility for report alteration, separation, detachment or third party interpretation.

DocuSign Envelope ID: 23C99F0C-56DC-477E-BC93-0082488ECF2C

10/05/23 13:48 23J0405

DELLAVALLE LABORATORY, INC.

1910 W. McKinley Avenue, Suite 110 • Fresno, CA 93728
www.dellavallelab.com 559 233-6129 · 800 228-9896 · Fax 559 268-8174

No. Samples: 1 No of Bottles: 2

Purchase Order No Bill To: Acct # Cons #

Results Need By

Water Type: [ ] Drinking Water [ ] Wastewater
[X] Ag Water [ ] Groundwater [ ] Monitoring Well

Other:

Name: Double B Dairy
Address: 7248 Worden Ave
City: Merced **State:** CA **Zip:** 95341
Telephone: **Fax:**
Cell/Email: wgbylsm@aol.com
COPY TO: labs@fragservices.com
krhodes@fragservices.com
REQUESTED BY: Wes B.
PROJECT:
CROP: Canal

[X] Copy of Chain [X] QA/QC Documents
Sampled By:

Analysis and Bottles Required: (*Please indicate Analysis*)

( ) DWW1: EC, NO_3-N NH4-N Field Test
(1-1 Liter Plastic, Unpreserved) White Per Sample
( ) DWW2: DWW1 Plus SO_4, CO_3, HCO_3, Cl, Ca, Mg, Na, TDS
(1-1 Liter Plastic, Unpreserved) White Per Sample
(X) DCW1: EC, NO_3-N, TKN, TN, TDS
(1-1 Liter Plastic, Unpreserved) White Per Sample
( ) DPW1: EC, NO_3-N, NH_4-N, TKN, TDS, TP, TK
(1-1 Liter Plastic, Unpreserved) White Per Sample
( ) DPW2: DPW1 Plus Ca, Mg, Na, HCO_3, CO_3, SO_4, Cl
(1-1 Liter Plastic, Unpreserved) White Per Sample
( ) Other

	Description of Samples	Date Sampled	Time Sampled	Rec'd Temp °C	Field NH_4-N
1	MID Canal	10/4	0800	3.5	
2					
3					
4					
5					
6					
7					
8					
9					
10					

IR Thermometer SN: 200560723
Correction Factor: 0°C
Calibration Due: 12/22/2023
Location: Laboratory

CHAIN OF CUSTODY

Carrier	Signature	Company	Received (Date/Time)	Relinquished (Date/Time)
First	KR	FR Ag Services	10/4 0818	
Second	DLF	DLV	10-5-23 9:40	10-5-23 1:40
Third	MM	DLI	10/5 13:48	
Fourth				

I guarantee that as the client, or on behalf of client named, I have the authority to contract the above requested services. Should it be found that I do not have such authority, I agree to be personally liable for all costs and, if there should be action against me for this breach, reasonable attorneys' fees. It is understood that payment is expected to be cash with samples unless terms have been previously arranged. Terms are net 30 days; overdue accounts will be charged a liquidated damage fee of 2% per month (annually 24%) or $5.00 per month whichever is greater.

If payment is not made when due and a legitimate dispute exists concerning the product or services of Dellavalle Laboratory, Inc., it will be submitted to mediation under the Rules and Procedures of Creative Alternative to Litigation, Inc. (*cal*). If the dispute is not resolved in mediation, then the dispute will be submitted to binding arbitration through *cal* under its Rules and Procedures. The parties will equally bear the costs of mediation/arbitration. If, however, the mediator declares that no legitimate dispute exists, then debtor will pay all mediation and arbitration costs, and in the event of arbitration, reasonable attorneys' fees of Dellavalle Laboratory.

Invoicing Information:
Sampling hrs
Mileage
Consulting

Shipping
$ In
$ Out

Amt Paid	Rec By	Check #	Date

Signature

Sample received in cooler with ice (coolant)
[ ] Yes [ ] No

X:\1-CLIENT CUSTOM FIELDSHEETS\FIELDSHEETS\Dairy Fieldsheets\[F & R Ag Services Water.xls]Dairy Water rev 2.8.18

DocuSign Envelope ID: 23C99F0C-56DC-477E-BC93-0082488ECF2C

10/05/23 13:48 23J0405

Shipping Information: Shipped In ☐ Picked-Up ☐ Walk In ☐ DLI Sampler ☑ Other ☐ _____

☐ Samples refridgerated before pick up ☐ Picked up samples placed in Ice chest

Container: Ice Chest ☑ Box ☐ None ☐ **Refrigerant:** Wet Ice ☑ Blue Ice ☐ None ☐

Samples Preserved with HNO_3 or H_2SO_4 were: ☑ Received Preserved ☐ Preserved Upon Receipt at Laboratory

Type of Container(s) Received		Sample Number 1 (10-5-23)	2	3	4	5	6	7	8	9	10
Sample Containers for Internal (DLI) Use *(Containers that go into the Lab)*											
Plastics	100 mL sterile plastic $Na_2S_2O_3$ (Green)										
	250 mL unpreserved (White) Plastic										
	250 mL HNO_3 (Red) Plastic										
	* pH Value										
	250 mL H_2SO_4 (Yellow) Plastic										
	* pH Value	2									
	500 mL unpreserved (White) Plastic										
	1 L unpreserved (White) Plastic	1									
	1 L unpreserved (BOD) (Purple) Plastic										
Special	500mL unpreserved (White) Glass										
	PO4-P Kit										
	Other:										
Sample Containers for Subcontracted ("Send Out") Analyses *(Containers that go in the Subcontract ("Send Out") Refrigerator)*											
Plastics	100 mL sterile plastic $Na_2S_2O_3$ (Green)										
	250 mL unpreserved (White) Plastic										
	250 mL HNO_3 (Red) Plastic										
	250 mL H_2SO_4 (Yellow) Plastic										
	500 mL HNO_3 (Red)										
	1 L unpreserved (White) Plastic										
	1 L unpreserved (BOD) (Purple) Plastic										
	1 L HNO_3 (Red)										
VOA Vials	40 mL VOA, $Na_2S_2O_3$ + MCAA (EPA531)										
	40 mL VOA, $Na_2S_2O_3$ (EPA547)										
	40mL AG VOA unpreserved (White) (Set of 3)										
	40 mL AG VOA, $Na_2S_2O_3$ (Green) (Set of 3)										
	40mL VOA, H_3PO_4 (Set of 3)										
	40 mL VOA, HCl (Blue) (Set of 3)										
	40 mL VOA, $Na_2S_2O_3$ (Green) (Set of 3)										
Glass	250 mL AG unpreserved (White)										
	250 mL AG H_2SO_4 (Yellow)										
	250 mL AG $Na_2S_2O_3$ (Green)										
	250 mL AG $Na_2S_2O_3$ + MCAA										
	500 mL glass unpreserved (White)										
	500 mL AG HCl (Blue)										
	1 L AG unpreserved (White)										
	1 L AG H_2SO_4 (Yellow)										
	1 L AG $Na_2S_2O_3$ (Green)										
	1 L AG HCl (Blue)										
Special	Cr^{6+} - 50mL Plastic w/Borate/HCO_3/CO_3										
	Cyanide - 500 mL NaOH										
	Asbestos - 1L P wrapped in foil (Set of 2)										
	Sulfide - 1 L **AG** or **P** NaOH + ZnAc										
	Chlorite/Bromate - 250 mL AG with EDA										
	HAA5 - 250mL AG Ammonium Chlorite										
	DO KIT										
	Other:										
	Other:										

pH Strips
Lot: 10BDH4501 Exp: Jan 2025

DRAFT
SEND OUT

DELLAVALLE™
LABORATORY INC

Double B Dairy
7248 Worden Avenue
Merced, CA 95341

Account# 00-0022202
Account Manager: Ben Nydam
Submitted By: Wes B.

Received: 03/26/2024 11:21
Reported: 04/04/2024 10:03

Samples in this Report

Lab ID	Sample	Matrix	Sampled By	Crop	Date Sampled
24C1063-01	Dom 1	Well Water	Wes B	Freshwater	03/25/2024 6:00
24C1063-02	Dom 5	Well Water	Wes B	Freshwater	03/25/2024 6:05
24C1063-03	Dom 10	Well Water	Wes B	Freshwater	03/25/2024 6:30
24C1063-04	Dom 11	Well Water	Wes B	Freshwater	03/25/2024 6:42
24C1063-05	Dom 12	Well Water	Wes B	Freshwater	03/25/2024 6:48
24C1063-06	Dom 13	Well Water	Wes B	Freshwater	03/25/2024 7:18
24C1063-07	Dom 1 Arboleda	Well Water	Wes B	Freshwater	03/25/2024 7:23
24C1063-08	Dom North Kadota	Well Water	Wes B	Freshwater	03/25/2024 8:15
24C1063-09	Dom South Kadota	Well Water	Wes B	Freshwater	03/25/2024 8:22
24C1063-10	Ag Well 9 (DCW1)	Well Water	Wes B	Freshwater	03/25/2024 8:30

Default Cooler Temperature on Receipt °C: 2.1
Containers Intact
COC/Labels Agree
Preservation Confirmed
Received On Ice

Notes and Definitions

Item	Definition
H	Hold Time Exceeded
MCL	Drinking Water Maximum Contaminant Level
ND	Analyte NOT DETECTED at or above the reporting limit.
NES	Not Enough Sample
*	Not Taken
RPD	Relative Percent Difference
%REC	Percent Recovery
Source	Sample that was matrix spiked or duplicated.

Scott McFriedland

Laboratory Director/Technical Manager

ELAP Certification #1595
A2LA Certification #6440.02

The results in this report apply to the samples as received and were analyzed in accordance with the chain of custody document. This analytical report must be reproduced in its entirety. All results listed in this report are for the exclusive use of the submitting party. Dellavalle Laboratory, Inc. assumes no responsibility for report alteration, separation, detachment or third party interpretation.

1910 W. McKinley Ave Suite 110 Fresno, CA 93728 559-233-6129 www.dellavallelab.com

DELLAVALLE™ LABORATORY INC

Double B Dairy
7248 Worden Avenue
Merced, CA 95341

Account# 00-0022202
Account Manager: Ben Nydam
Submitted By: Wes B.

Received: 03/26/2024 11:21
Reported: 04/04/2024 10:03

Sample Results

Sample: Dom 1
24C1063-01 (Water)

Sampled: 3/25/2024 6:00
Sampled By: Wes B

Analyte	Result	Units	Reporting Limit	DIL	DW MCL	Date/Time Analyzed	Method	Notes	Batch
Electrical Conductivity	**0.39**	mmhos/cm	0.01	1		03/27/24 16:34	SM 2510 B		BFC0700
Electrical Conductivity umhos	**392**	umhos/cm	10.0	1		03/27/24 16:34	SM 2510 B		BFC0700
Ammonia (as N)	*	mg/L	0.00	1		03/26/24 14:01	Field		BFC0667
Nitrate Nitrogen as NO3N	**4.5**	mg/L	0.1	1	10	03/26/24 20:13	EPA 300.0		BFC0652
Temperature	**25.0**	units	0.0	1		03/27/24 16:34	SM 4500-H+	H	BFC0700
pH	**6.8**	units	1.0	1		03/27/24 16:34	SM 4500-H+	H	BFC0700

The results in this report apply to the samples as received and were analyzed in accordance with the chain of custody document. This analytical report must be reproduced in its entirety. All results listed in this report are for the exclusive use of the submitting party. Dellavalle Laboratory, Inc. assumes no responsibility for report alteration, separation, detachment or third party interpretation.

DELLAVALLE™ LABORATORY INC

Double B Dairy
7248 Worden Avenue
Merced, CA 95341

Account# 00-0022202
Account Manager: Ben Nydam
Submitted By: Wes B.

Received: 03/26/2024 11:21
Reported: 04/04/2024 10:03

Sample Results
(Continued)

Sample: Dom 5
24C1063-02 (Water)

Sampled: 3/25/2024 6:05
Sampled By: Wes B

Analyte	Result	Units	Reporting Limit	DIL	DW MCL	Date/Time Analyzed	Method	Notes	Batch
Electrical Conductivity	**1.16**	mmhos/cm	0.01	1		03/27/24 16:36	SM 2510 B		BFC0700
Electrical Conductivity umhos	**1160**	umhos/cm	10.0	1		03/27/24 16:36	SM 2510 B		BFC0700
Ammonia (as N)	*	mg/L	0.00	1		03/26/24 14:01	Field		BFC0667
Nitrate Nitrogen as NO3N	**43.0**	mg/L	0.1	1	10	03/26/24 20:33	EPA 300.0		BFC0652
Temperature	**25.0**	units	0.0	1		03/27/24 16:36	SM 4500-H+	H	BFC0700
pH	**7.5**	units	1.0	1		03/27/24 16:36	SM 4500-H+	H	BFC0700

The results in this report apply to the samples as received and were analyzed in accordance with the chain of custody document. This analytical report must be reproduced in its entirety. All results listed in this report are for the exclusive use of the submitting party. Dellavalle Laboratory, Inc. assumes no responsibility for report alteration, separation, detachment or third party interpretation.

DELLAVALLE™ LABORATORY INC

Double B Dairy
7248 Worden Avenue
Merced, CA 95341

Account# 00-0022202
Account Manager: Ben Nydam
Submitted By: Wes B.

Received: 03/26/2024 11:21
Reported: 04/04/2024 10:03

Sample Results
(Continued)

Sample: Dom 10
24C1063-03 (Water)

Sampled: 3/25/2024 6:30
Sampled By: Wes B

Analyte	Result	Units	Reporting Limit	DIL	DW MCL	Date/Time Analyzed	Method	Notes	Batch
Electrical Conductivity	**0.46**	mmhos/cm	0.01	1		03/27/24 16:38	SM 2510 B		BFC0700
Electrical Conductivity umhos	**458**	umhos/cm	10.0	1		03/27/24 16:38	SM 2510 B		BFC0700
Ammonia (as N)	*	mg/L	0.00	1		03/26/24 14:01	Field		BFC0667
Nitrate Nitrogen as NO3N	**4.7**	mg/L	0.1	1	10	03/26/24 20:53	EPA 300.0		BFC0652
Temperature	**25.0**	units	0.0	1		03/27/24 16:38	SM 4500-H+	H	BFC0700
pH	**7.7**	units	1.0	1		03/27/24 16:38	SM 4500-H+	H	BFC0700

The results in this report apply to the samples as received and were analyzed in accordance with the chain of custody document. This analytical report must be reproduced in its entirety. All results listed in this report are for the exclusive use of the submitting party. Dellavalle Laboratory, Inc. assumes no responsibility for report alteration, separation, detachment or third party interpretation.

DELLAVALLE™ LABORATORY INC

Double B Dairy
7248 Worden Avenue
Merced, CA 95341

Account# 00-0022202
Account Manager: Ben Nydam
Submitted By: Wes B.

Received: 03/26/2024 11:21
Reported: 04/04/2024 10:03

Sample Results
(Continued)

Sample: Dom 11
24C1063-04 (Water)

Sampled: 3/25/2024 6:42
Sampled By: Wes B

Analyte	Result	Units	Reporting Limit	DIL	DW MCL	Date/Time Analyzed	Method	Notes	Batch
Electrical Conductivity	**0.29**	mmhos/cm	0.01	1		03/27/24 16:40	SM 2510 B		BFC0700
Electrical Conductivity umhos	**293**	umhos/cm	10.0	1		03/27/24 16:40	SM 2510 B		BFC0700
Ammonia (as N)	*	mg/L	0.00	1		03/26/24 14:01	Field		BFC0667
Nitrate Nitrogen as NO3N	**2.9**	mg/L	0.1	1	10	03/26/24 21:14	EPA 300.0		BFC0652
Temperature	**25.0**	units	0.0	1		03/27/24 16:40	SM 4500-H+	H	BFC0700
pH	**7.7**	units	1.0	1		03/27/24 16:40	SM 4500-H+	H	BFC0700

The results in this report apply to the samples as received and were analyzed in accordance with the chain of custody document. This analytical report must be reproduced in its entirety. All results listed in this report are for the exclusive use of the submitting party. Dellavalle Laboratory, Inc. assumes no responsibility for report alteration, separation, detachment or third party interpretation.

DELLAVALLE™ LABORATORY INC

Double B Dairy
7248 Worden Avenue
Merced, CA 95341

Account# 00-0022202
Account Manager: Ben Nydam
Submitted By: Wes B.

Received: 03/26/2024 11:21
Reported: 04/04/2024 10:03

Sample Results
(Continued)

Sample: Dom 12
24C1063-05 (Water)

Sampled: 3/25/2024 6:48
Sampled By: Wes B

Analyte	Result	Units	Reporting Limit	DIL	DW MCL	Date/Time Analyzed	Method	Notes	Batch
Electrical Conductivity	**0.58**	mmhos/cm	0.01	1		03/27/24 16:41	SM 2510 B		BFC0700
Electrical Conductivity umhos	**577**	umhos/cm	10.0	1		03/27/24 16:41	SM 2510 B		BFC0700
Ammonia (as N)	*	mg/L	0.00	1		03/26/24 14:01	Field		BFC0667
Nitrate Nitrogen as NO3N	**6.8**	mg/L	0.1	1	10	03/26/24 21:34	EPA 300.0		BFC0652
Temperature	**25.0**	units	0.0	1		03/27/24 16:41	SM 4500-H+	H	BFC0700
pH	**7.6**	units	1.0	1		03/27/24 16:41	SM 4500-H+	H	BFC0700

The results in this report apply to the samples as received and were analyzed in accordance with the chain of custody document. This analytical report must be reproduced in its entirety. All results listed in this report are for the exclusive use of the submitting party. Dellavalle Laboratory, Inc. assumes no responsibility for report alteration, separation, detachment or third party interpretation.

DELLAVALLE™ LABORATORY INC

Double B Dairy
7248 Worden Avenue
Merced, CA 95341

Account# 00-0022202
Account Manager: Ben Nydam
Submitted By: Wes B.

Received: 03/26/2024 11:21
Reported: 04/04/2024 10:03

Sample Results
(Continued)

Sample: Dom 13
24C1063-06 (Water)

Sampled: 3/25/2024 7:18
Sampled By: Wes B

Analyte	Result	Units	Reporting Limit	DIL	DW MCL	Date/Time Analyzed	Method	Notes	Batch
Electrical Conductivity	**0.71**	mmhos/cm	0.01	1		03/27/24 16:43	SM 2510 B		BFC0700
Electrical Conductivity umhos	**706**	umhos/cm	10.0	1		03/27/24 16:43	SM 2510 B		BFC0700
Ammonia (as N)	*	mg/L	0.00	1		03/26/24 14:01	Field		BFC0667
Nitrate Nitrogen as NO3N	**18.2**	mg/L	0.1	1	10	03/26/24 21:54	EPA 300.0		BFC0652
Temperature	**25.0**	units	0.0	1		03/27/24 16:43	SM 4500-H+	H	BFC0700
pH	**7.6**	units	1.0	1		03/27/24 16:43	SM 4500-H+	H	BFC0700

The results in this report apply to the samples as received and were analyzed in accordance with the chain of custody document. This analytical report must be reproduced in its entirety. All results listed in this report are for the exclusive use of the submitting party. Dellavalle Laboratory, Inc. assumes no responsibility for report alteration, separation, detachment or third party interpretation.

DELLAVALLE™ LABORATORY INC

Double B Dairy
7248 Worden Avenue
Merced, CA 95341

Account# 00-0022202
Account Manager: Ben Nydam
Submitted By: Wes B.

Received: 03/26/2024 11:21
Reported: 04/04/2024 10:03

Sample Results
(Continued)

Sample: Dom 1 Arboleda
24C1063-07 (Water)

Sampled: 3/25/2024 7:23
Sampled By: Wes B

Analyte	Result	Units	Reporting Limit	DIL	DW MCL	Date/Time Analyzed	Method	Notes	Batch
Electrical Conductivity	**1.00**	mmhos/cm	0.01	1		03/27/24 16:44	SM 2510 B		BFC0700
Electrical Conductivity umhos	**1000**	umhos/cm	10.0	1		03/27/24 16:44	SM 2510 B		BFC0700
Ammonia (as N)	*	mg/L	0.00	1		03/26/24 14:01	Field		BFC0667
Nitrate Nitrogen as NO3N	**25.2**	mg/L	0.1	1	10	03/26/24 22:14	EPA 300.0		BFC0652
Temperature	**25.0**	units	0.0	1		03/27/24 16:44	SM 4500-H+	H	BFC0700
pH	**7.6**	units	1.0	1		03/27/24 16:44	SM 4500-H+	H	BFC0700

The results in this report apply to the samples as received and were analyzed in accordance with the chain of custody document. This analytical report must be reproduced in its entirety. All results listed in this report are for the exclusive use of the submitting party. Dellavalle Laboratory, Inc. assumes no responsibility for report alteration, separation, detachment or third party interpretation.

DELLAVALLE™ LABORATORY INC

Double B Dairy
7248 Worden Avenue
Merced, CA 95341

Account# 00-0022202
Account Manager: Ben Nydam
Submitted By: Wes B.

Received: 03/26/2024 11:21
Reported: 04/04/2024 10:03

Sample Results
(Continued)

Sample: Dom North Kadota
24C1063-08 (Water)

Sampled: 3/25/2024 8:15
Sampled By: Wes B

Analyte	Result	Units	Reporting Limit	DIL	DW MCL	Date/Time Analyzed	Method	Notes	Batch
Electrical Conductivity	**0.40**	mmhos/cm	0.01	1		03/27/24 16:46	SM 2510 B		BFC0700
Electrical Conductivity umhos	**402**	umhos/cm	10.0	1		03/27/24 16:46	SM 2510 B		BFC0700
Ammonia (as N)	*	mg/L	0.00	1		03/26/24 14:01	Field		BFC0667
Nitrate Nitrogen as NO3N	**0.2**	mg/L	0.1	1	10	03/27/24 00:57	EPA 300.0		BFC0652
Temperature	**25.0**	units	0.0	1		03/27/24 16:46	SM 4500-H+	H	BFC0700
pH	**8.0**	units	1.0	1		03/27/24 16:46	SM 4500-H+	H	BFC0700

The results in this report apply to the samples as received and were analyzed in accordance with the chain of custody document. This analytical report must be reproduced in its entirety. All results listed in this report are for the exclusive use of the submitting party. Dellavalle Laboratory, Inc. assumes no responsibility for report alteration, separation, detachment or third party interpretation.

DELLAVALLE™ LABORATORY INC

Double B Dairy
7248 Worden Avenue
Merced, CA 95341

Account# 00-0022202
Account Manager: Ben Nydam
Submitted By: Wes B.

Received: 03/26/2024 11:21
Reported: 04/04/2024 10:03

Sample Results
(Continued)

Sample: Dom South Kadota
24C1063-09 (Water)

Sampled: 3/25/2024 8:22
Sampled By: Wes B

Analyte	Result	Units	Reporting Limit	DIL	DW MCL	Date/Time Analyzed	Method	Notes	Batch
Electrical Conductivity	**0.40**	mmhos/cm	0.01	1		03/27/24 16:47	SM 2510 B		BFC0700
Electrical Conductivity umhos	**398**	umhos/cm	10.0	1		03/27/24 16:47	SM 2510 B		BFC0700
Ammonia (as N)	*	mg/L	0.00	1		03/26/24 14:01	Field		BFC0667
Nitrate Nitrogen as NO3N	**0.4**	mg/L	0.1	1	10	03/27/24 01:18	EPA 300.0		BFC0652
Temperature	**25.0**	units	0.0	1		03/27/24 16:47	SM 4500-H+	H	BFC0700
pH	**8.0**	units	1.0	1		03/27/24 16:47	SM 4500-H+	H	BFC0700

The results in this report apply to the samples as received and were analyzed in accordance with the chain of custody document. This analytical report must be reproduced in its entirety. All results listed in this report are for the exclusive use of the submitting party. Dellavalle Laboratory, Inc. assumes no responsibility for report alteration, separation, detachment or third party interpretation.

DELLAVALLE™ LABORATORY INC

Double B Dairy
7248 Worden Avenue
Merced, CA 95341

Account# 00-0022202
Account Manager: Ben Nydam
Submitted By: Wes B.

Received: 03/26/2024 11:21
Reported: 04/04/2024 10:03

Sample Results
(Continued)

Sample: Ag Well 9 (DCW1)
24C1063-10 (Water)

Sampled: 3/25/2024 8:30
Sampled By: Wes B

Analyte	Result	Units	Reporting Limit	DIL	DW MCL	Date/Time Analyzed	Method	Notes	Batch
Electrical Conductivity	**0.49**	mmhos/cm	0.01	1		03/27/24 16:49	SM 2510 B		BFC0700
Electrical Conductivity umhos	**485**	umhos/cm	10.0	1		03/27/24 16:49	SM 2510 B		BFC0700
Nitrate Nitrogen as NO3N	**5.5**	mg/L	0.1	1	10	03/27/24 01:38	EPA 300.0		BFC0652
Temperature	**25.0**	units	0.0	1		03/27/24 16:49	SM 4500-H+	H	BFC0700
pH	**7.7**	units	1.0	1		03/27/24 16:49	SM 4500-H+	H	BFC0700
Total Filterable Solids (TDS)	**325**	mg/L	10.0	1		03/27/24 11:30	SM 2540 C		BFC0645
Kjeldahl Nitrogen (TKN), Total	ND	mg/L	1.00	1		04/03/24 11:31	SM 4500-NH3 C		BFC0712
Total Nitrogen	ND	mg/L	1.00	1		04/03/24 11:31	SM 4500-NH3 C		BFC0712

The results in this report apply to the samples as received and were analyzed in accordance with the chain of custody document. This analytical report must be reproduced in its entirety. All results listed in this report are for the exclusive use of the submitting party. Dellavalle Laboratory, Inc. assumes no responsibility for report alteration, separation, detachment or third party interpretation.

DELLAVALLE™ LABORATORY INC

Double B Dairy
7248 Worden Avenue
Merced, CA 95341

Account# 00-0022202
Account Manager: Ben Nydam
Submitted By: Wes B.

Received: 03/26/2024 11:21
Reported: 04/04/2024 10:03

Quality Control

Analyte	Result	Qual	Reporting Limit	Units	Spike Level	Source Result	%REC	%REC Limits	RPD	RPD Limit
Batch: BFC0645										
Blank (BFC0645-BLK1)					Prepared: 3/26/2024	Analyzed: 3/27/2024				
Total Filterable Solids (TDS)	ND		10.0	mg/L						
LCS (BFC0645-BS1)					Prepared: 3/26/2024	Analyzed: 3/27/2024				
Total Filterable Solids (TDS)	31.2		10.0	mg/L	2000		1.56	0-200		
Duplicate (BFC0645-DUP1)			**Source: 24C0958-01**		Prepared: 3/26/2024	Analyzed: 3/27/2024				
Total Filterable Solids (TDS)	5200		10.0	mg/L		5150			0.966	10
Reference (BFC0645-SRM1)					Prepared: 3/26/2024	Analyzed: 3/27/2024				
Total Filterable Solids (TDS)	393			mg/L	390.0		101	90-110		

The results in this report apply to the samples as received and were analyzed in accordance with the chain of custody document. This analytical report must be reproduced in its entirety. All results listed in this report are for the exclusive use of the submitting party. Dellavalle Laboratory, Inc. assumes no responsibility for report alteration, separation, detachment or third party interpretation.

DELLAVALLE™ LABORATORY INC

Double B Dairy
7248 Worden Avenue
Merced, CA 95341

Account# 00-0022202
Account Manager: Ben Nydam
Submitted By: Wes B.

Received: 03/26/2024 11:21
Reported: 04/04/2024 10:03

Quality Control
(Continued)

Analyte	Result	Qual	Reporting Limit	Units	Spike Level	Source Result	%REC	%REC Limits	RPD	RPD Limit
Batch: BFC0652										
Blank (BFC0652-BLK1)					Prepared & Analyzed: 3/26/2024					
Nitrate Nitrogen as NO3N	ND		0.1	mg/L						
Blank (BFC0652-BLK2)					Prepared & Analyzed: 3/26/2024					
Nitrate Nitrogen as NO3N	ND		0.1	mg/L						
Blank (BFC0652-BLK3)					Prepared: 3/26/2024 Analyzed: 3/27/2024					
Nitrate Nitrogen as NO3N	ND		0.1	mg/L						
LCS (BFC0652-BS1)					Prepared & Analyzed: 3/26/2024					
Nitrate Nitrogen as NO3N	5.0		0.1	mg/L	5.000		100	90-110		
LCS (BFC0652-BS2)					Prepared: 3/26/2024 Analyzed: 3/27/2024					
Nitrate Nitrogen as NO3N	5.0		0.1	mg/L	5.000		99.6	90-110		
Duplicate (BFC0652-DUP1)		**Source: 24C1063-04**			Prepared & Analyzed: 3/26/2024					
Nitrate Nitrogen as NO3N	2.9		0.1	mg/L		2.9			0.799	10
Duplicate (BFC0652-DUP2)		**Source: 24C1063-08**			Prepared: 3/26/2024 Analyzed: 3/27/2024					
Nitrate Nitrogen as NO3N	0.2		0.1	mg/L		0.2			1.82	10
Matrix Spike (BFC0652-MS1)		**Source: 24C1063-04**			Prepared & Analyzed: 3/26/2024					
Nitrate Nitrogen as NO3N	8.1		0.1	mg/L	5.000	2.9	105	90-110		
Matrix Spike (BFC0652-MS2)		**Source: 24C1063-08**			Prepared: 3/26/2024 Analyzed: 3/27/2024					
Nitrate Nitrogen as NO3N	5.3		0.1	mg/L	5.000	0.2	102	90-110		
Reference (BFC0652-SRM1)					Prepared & Analyzed: 3/26/2024					
Nitrate Nitrogen as NO3N	10.2			mg/L	10.00		102	90-110		
Reference (BFC0652-SRM2)					Prepared: 3/26/2024 Analyzed: 3/27/2024					
Nitrate Nitrogen as NO3N	10.2			mg/L	10.00		102	90-110		
Reference (BFC0652-SRM3)					Prepared: 3/26/2024 Analyzed: 3/27/2024					
Nitrate Nitrogen as NO3N	10.2			mg/L	10.00		102	90-110		

The results in this report apply to the samples as received and were analyzed in accordance with the chain of custody document. This analytical report must be reproduced in its entirety. All results listed in this report are for the exclusive use of the submitting party. Dellavalle Laboratory, Inc. assumes no responsibility for report alteration, separation, detachment or third party interpretation.

DELLAVALLE™ LABORATORY INC

Double B Dairy
7248 Worden Avenue
Merced, CA 95341

Account# 00-0022202
Account Manager: Ben Nydam
Submitted By: Wes B.

Received: 03/26/2024 11:21
Reported: 04/04/2024 10:03

Quality Control
(Continued)

Analyte	Result	Qual	Reporting Limit	Units	Spike Level	Source Result	%REC	%REC Limits	RPD	RPD Limit
Batch: BFC0700										
Blank (BFC0700-BLK1)					Prepared & Analyzed: 3/27/2024					
Temperature	25.0		0.0	units						
Electrical Conductivity	ND		0.01	mmhos/cm						
Electrical Conductivity umhos	ND		10.0	umhos/cm						
pH	5.6		1.0	units						
Blank (BFC0700-BLK2)					Prepared & Analyzed: 3/27/2024					
Electrical Conductivity	ND		0.01	mmhos/cm						
Temperature	25.0		0.0	units						
Electrical Conductivity umhos	ND		10.0	umhos/cm						
pH	7.6		1.0	units						
Blank (BFC0700-BLK3)					Prepared & Analyzed: 3/27/2024					
Temperature	25.0		0.0	units						
Electrical Conductivity	ND		0.01	mmhos/cm						
Electrical Conductivity umhos	ND		10.0	umhos/cm						
pH	7.2		1.0	units						
Duplicate (BFC0700-DUP1)		**Source: 24C1063-05**			Prepared & Analyzed: 3/27/2024					
Electrical Conductivity	0.58		0.01	mmhos/cm		0.58			0.691	10
pH	7.6		1.0	units		7.6			0.526	10
Electrical Conductivity umhos	581		10.0	umhos/cm		577			0.691	10
Duplicate (BFC0700-DUP2)		**Source: 24C1104-01**			Prepared & Analyzed: 3/27/2024					
Electrical Conductivity	1.17		0.01	mmhos/cm		1.15			1.70	10
Electrical Conductivity umhos	1170		10.0	umhos/cm		1150			1.70	10
pH	6.6		1.0	units		6.8			2.70	10
Reference (BFC0700-SRM1)					Prepared & Analyzed: 3/27/2024					
Electrical Conductivity	446			umhos/cm	426.0		105	90-110		
Reference (BFC0700-SRM2)					Prepared & Analyzed: 3/27/2024					
pH	8.3			units	8.340		99.3	8.801-101.19		
Reference (BFC0700-SRM3)					Prepared & Analyzed: 3/27/2024					
Electrical Conductivity	1070			umhos/cm	1000		107	90-110		
Electrical Conductivity umhos	1070			umhos/cm	1000		107	90-110		
Reference (BFC0700-SRM4)					Prepared & Analyzed: 3/27/2024					
Electrical Conductivity	1060			umhos/cm	1000		106	90-110		
Electrical Conductivity umhos	1060			umhos/cm	1000		106	90-110		
Reference (BFC0700-SRM5)					Prepared & Analyzed: 3/27/2024					
Electrical Conductivity	1080			umhos/cm	1000		108	90-110		

The results in this report apply to the samples as received and were analyzed in accordance with the chain of custody document. This analytical report must be reproduced in its entirety. All results listed in this report are for the exclusive use of the submitting party. Dellavalle Laboratory, Inc. assumes no responsibility for report alteration, separation, detachment or third party interpretation.

DELLAVALLE™ LABORATORY INC

Double B Dairy
7248 Worden Avenue
Merced, CA 95341

Account# 00-0022202
Account Manager: Ben Nydam
Submitted By: Wes B.

Received: 03/26/2024 11:21
Reported: 04/04/2024 10:03

Quality Control
(Continued)

Analyte	Result	Qual	Reporting Limit	Units	Spike Level	Source Result	%REC	%REC Limits	RPD	RPD Limit
Batch: BFC0700 (Continued)										
Reference (BFC0700-SRM5)					Prepared & Analyzed: 3/27/2024					
Electrical Conductivity umhos	1080			umhos/cm	1000		108	90-110		
Reference (BFC0700-SRM6)					Prepared & Analyzed: 3/27/2024					
pH	4.0			units	4.000		100	97.5-102.5		
Reference (BFC0700-SRM7)					Prepared & Analyzed: 3/27/2024					
pH	4.0			units	4.000		100	97.5-102.5		
Reference (BFC0700-SRM8)					Prepared & Analyzed: 3/27/2024					
pH	4.0			units	4.000		100	97.5-102.5		

The results in this report apply to the samples as received and were analyzed in accordance with the chain of custody document. This analytical report must be reproduced in its entirety. All results listed in this report are for the exclusive use of the submitting party. Dellavalle Laboratory, Inc. assumes no responsibility for report alteration, separation, detachment or third party interpretation.

DELLAVALLE™ LABORATORY INC

Double B Dairy
7248 Worden Avenue
Merced, CA 95341

Account# 00-0022202
Account Manager: Ben Nydam
Submitted By: Wes B.

Received: 03/26/2024 11:21
Reported: 04/04/2024 10:03

Quality Control
(Continued)

Analyte	Result	Qual	Reporting Limit	Units	Spike Level	Source Result	%REC	%REC Limits	RPD	RPD Limit
Batch: BFC0712										
Blank (BFC0712-BLK1)					Prepared: 3/28/2024	Analyzed: 4/3/2024				
Kjeldahl Nitrogen (TKN), Total	ND		1.00	mg/L						
Total Nitrogen	ND		1.00	mg/L						
LCS (BFC0712-BS1)					Prepared: 3/28/2024	Analyzed: 4/3/2024				
Kjeldahl Nitrogen (TKN), Total	5.97		1.00	mg/L	5.709		105	90-110		
Duplicate (BFC0712-DUP1)		**Source: 24C1045-01**			Prepared: 3/28/2024	Analyzed: 4/3/2024				
Kjeldahl Nitrogen (TKN), Total	20.2		3.50	mg/L		19.4			3.82	10
Matrix Spike (BFC0712-MS1)		**Source: 24C1045-01**			Prepared: 3/28/2024	Analyzed: 4/3/2024				
Kjeldahl Nitrogen (TKN), Total	31.1		3.50	mg/L	9.990	19.4	117	90-110		
Reference (BFC0712-SRM1)					Prepared: 3/28/2024	Analyzed: 4/3/2024				
Kjeldahl Nitrogen (TKN), Total	32.6			mg/L	31.90		102	90-110		

The results in this report apply to the samples as received and were analyzed in accordance with the chain of custody document. This analytical report must be reproduced in its entirety. All results listed in this report are for the exclusive use of the submitting party. Dellavalle Laboratory, Inc. assumes no responsibility for report alteration, separation, detachment or third party interpretation.

DocuSign Envelope ID: 23C99F0C-56DC-477E-BC93-0082488ECF2C

www.dellavallelab.com 559 233-6129 · 800 228-9896 · Fax 559 268-8174

No. Samples: 10 No of Bottles: 20

Purchase Order No

Bill To: Acct # Cons #

Results Need By

Water Type: [X] Drinking Water [ ] Wastewater [ ] Ag Water [ ] Groundwater [ ] Monitoring Well

Name: Double B Dairy

Other:

Address: 7248 Worden Avenue

City: Merced **State:** CA **Zip:** 95341

Telephone: **Fax:**

Cell/Email: wgbylsma@aol.com

COPY TO: labs@fragservices.com

ariordan@fragservices.com; krhodes@fragservices.com

REQUESTED BY: Wes. B

PROJECT:

CROP: Freshwater

[X] Copy of Chain [X] QA/QC Documents

Sampled By: WES B

IR Thermometer SN: 221214357
Correction Factor: 0°C
Calibration Due: 06/05/2024
Location: Laboratory

Analysis and Bottles Required: (*Please indicate Analysis*)

(X) DWW1: EC, NO_3-N NH4-N Field Test
(1-1 Liter Plastic, Unpreserved) White Per Sample

( ) DWW2: DWW1 Plus SO_4, CO_3, HCO_3, Cl, Ca, Mg, Na, TDS
(1-1 Liter Plastic, Unpreserved) White Per Sample

(X) DCW1: EC, NO_3-N, TKN, TN, TDS (Ag well 9)
(1-1 Liter Plastic, Unpreserved) White Per Sample

( ) DPW1: EC, NO_3-N, NH_4-N, TKN, TDS, TP, TK
(1-1 Liter Plastic, Unpreserved) White Per Sample

( ) DPW2: DPW1 Plus Ca, Mg, Na, HCO_3, CO_3, SO_4, Cl
(1-1 Liter Plastic, Unpreserved) White Per Sample

( ) Other

	iption of Samples	Date Sampled	Time Sampled	Rec'd Temp °C	Field NH_4-N
1	Dom 1	3/25	0600	2.1	
2	Dom 5		0625	1.1	
3	Dom 10		0630	0.9	
4	Dom 11		0642	0.1	
5	Dom 12		0648	0.8	
6	Dom 13		0718	2.6	
7	Dom 1 Arboleda		0723	0.5	
8	Dom North Kadota		0815	-0.3	
9	Dom South Kadota		0822	0.2	
10	Ag well 9 (DCW1)		0830	3.8	

CHAIN OF CUSTODY

Carrier	Signature	Company	Received (Date/Time)	Relinquished (Date/Time)
First	Kierstan Rhodes	FR Ag Services	3/25 0822	3/25 100
Second	[illegible]	BDC	3/26/24	
Third	[illegible]	DLI	3/26/24	11:21am
Fourth				

I guarantee that as the client, or on behalf of client named, I have the authority to contract the above requested services. Should it be found that I do not have such authority, I agree to be personally liable for all costs and, if there should be action against me for this breach, reasonable attorneys' fees. It is understood that payment is expected to be cash with samples unless terms have been previously arranged. Terms are net 30 days; overdue accounts will be charged a liquidated damage fee of 2% per month (annually 24%) or $5.00 per month whichever is greater.

If payment is not made when due and a legitimate dispute exists concerning the product or services of Dellavalle Laboratory, Inc., it will be submitted to mediation under the Rules and Procedures of Creative Alternative to Litigation, Inc. (*cal*). If the dispute is not resolved in mediation, then the dispute will be submitted to binding arbitration through cal under its Rules and Procedures. The parties will equally bear the costs of mediation/arbitration. If, however, the mediator declares that no legitimate dispute exists, then debtor will pay all mediation and arbitration costs, and in the event of arbitration, reasonable attorneys' fees of Dellavalle Laboratory.

Signature

Sample received in cooler with ice (coolant)
[ ] Yes [ ] No

Invoicing Information:

Sampling hrs
Miles
Consulting

Shipping

$ In
$ Out

Amt Paid	Rec By	Check #	Date

X:\1-CLIENT CUSTOM FIELDSHEETS\FIELDSHEETS\Dairy Fieldsheets\[Double B Dairy Water.xls]Dairy Water

JG

03/26/24 11:21 24C1063

DocuSign Envelope ID: 23C99F0C-56DC-477E-BC93-0082488ECF2C

03/26/24 11:21 24C1063

pH Strips
Lot: 10BDH4501 Exp: Jan 2025

Shipping Information: Shipped In ☐ Picked-Up ☑ Walk In ☐ DLI Sampler ☐ Other ☐ _____

☐ Samples refridgerated before pick up ☐ Picked up samples placed in Ice chest

Container: Ice Chest ☑ Box ☐ None ☐ **Refrigerant:** Wet Ice ☑ Blue Ice ☐ None ☐

Samples Preserved with HNO_3 or H_2SO_4 were: ☐ Received Preserved ☑ Preserved Upon Receipt at Laboratory

	Type of Container(s) Received	Sample Number 1	2	3	4	5	6	7	8	9	10
	Sample Containers for Internal (DLI) Use *(Containers that go into the Lab)*										
Plastics	100 mL sterile plastic $Na_2S_2O_3$ (Green)										
Plastics	250 mL unpreserved (White) Plastic										
Plastics	250 mL HNO_3 (Red) Plastic										
Plastics	* pH Value										
Plastics	250 mL H_2SO_4 (Yellow) Plastic	✓	✓	✓	✓	✓	✓	✓	✓	✓	✓
Plastics	* pH Value	<2	<2	<2	<2	<2	<2	<2	<2	<2	<2
Plastics	500 mL unpreserved (White) Plastic										
Plastics	1 L unpreserved (White) Plastic	✓	✓	✓	✓	✓	✓	✓	✓	✓	✓
Plastics	1 L unpreserved (BOD) (Purple) Plastic										
Special	1 L AG unpreserved (White)										
Special	PO4-P Kit										
Special	**Other:**										
	Sample Containers for Subcontracted ("Send Out") Analyses *(Containers that go in the Subcontract ("Send Out") Refrigerator)*										
Plastics	100 mL sterile plastic $Na_2S_2O_3$ (Green)										
Plastics	250 mL unpreserved (White) Plastic										
Plastics	250 mL HNO_3 (Red) Plastic										
Plastics	250 mL H_2SO_4 (Yellow) Plastic										
Plastics	1 L unpreserved (White) Plastic										
Plastics	1 L unpreserved (BOD) (Purple) Plastic										
Plastics	1 L HNO_3 (Red) Plastic										
Plastics	500 mL Amber Plastic HCl (Blue) (Ferrous Iron)										
VOA Vials	40 mL VOA, $Na_2S_2O_3$ + MCAA (EPA531)										
VOA Vials	40 mL VOA, $Na_2S_2O_3$ (EPA547)										
VOA Vials	40 mL AG VOA HCl + Asc. Acid (Blue)(Set of 2) (123 TCP)										
VOA Vials	40 mL AG VOA, $Na_2S_2O_3$ (Green) (Set of 3) (TTHM)										
VOA Vials	40 mL VOA, H_3PO_4 (Set of 3) (TOC)										
VOA Vials	40 mL VOA, HCl (Blue) (Set of 3) (EPA524)										
VOA Vials	40 mL AG VOA, HCl (Blue) (Set of 3) (123 TCP)										
VOA Vials	40 mL VOA, $Na_2S_2O_3$ (Green) (Set of 3) (EPA504)										
Glass	250 mL AG H_2SO_4 (Yellow)										
Glass	250 mL AG $Na_2S_2O_3$ (Green)										
Glass	250 mL AG Ammonium Chlorite (HAA5)										
Glass	500 mL glass unpreserved (White)										
Glass	1 L AG unpreserved (White)										
Glass	1 L AG H_2SO_4 (Yellow)										
Glass	1 L AG $Na_2S_2O_3$ (Green) (EPA 549)										
Glass	1 L AG HCl (Blue) (Oil & Grease)										
Glass	1 L AG Asc. Acid, EDTA, KH_2CH (Set of 2) (EPA 507/525)										
Special	Cr^{6+} - 250 mL Plastic w/HN_4ON (N) SO_4										
Special	Cyanide - 250 mL NaOH										
Special	Asbestos - 1 L Plastic wrapped in foil (Set of 2)										
Special	Sulfide - 1 L Plastic NaOH + ZnAc										
Special	Chlorite/Bromate - 250 mL AG with EDA										
Special	DO KIT										
Special	**Other:**										
Special	**Other:**										

SEND OUT