Annual Report - General Order No. R5-2007-0035
Reporting period 01/01/2023 to 12/31/2023.

DAIRY FACILITY INFORMATION

A. NAME OF DAIRY OR BUSINESS OPERATING THE DAIRY: Peder Hoy Dairy

Physical address of dairy:

Number and Street	City	County	Zip Code
6042 California AVE	Modesto	Stanislaus	95358

Street and nearest cross street (if no address):

Date facility was originally placed in operation: 01/01/1946

Regional Water Quality Control Board Basin Plan designation: San Joaquin River Basin

County Assessor Parcel Number(s) for dairy facility:

X017-X004-X001-XXXX X017-X005-X015-XXXX

B. OPERATORS

Hoy, Peter

Operator name: Hoy, Peter

Telephone no.: (209) 526-4472 Landline, (209) 404-6142 Cellular

Mailing Address Number and Street	City	State	Zip Code
6042 California AVE	Modesto	CA	95358

This operator is responsible for paying permit fees.

C. OWNERS

Hoy, Peder

Legal owner name: Hoy, Peder

Telephone no.: (209) 526-4472 Landline, (209) 404-6142 Cellular

Mailing Address Number and Street	City	State	Zip Code
6042 California AVE	Modesto	CA	95358

AVAILABLE NUTRIENTS

A. HERD INFORMATION

	Milk Cows	Dry Cows	Bred Heifers (15-24 mo.)	Heifers (7-14 mo. to breeding)	Calves (4-6 mo.)	Calves (0-3 mo.)
Number open confinement	0	0	0	0	0	0
Number under roof	0	0	0	0	0	0
Maximum number	0	0	0	0	0	0
Average number	0	0	0	0	0	0
Avg live weight (lbs)	0	0	0	0		

Predominant milk cow breed: Holstein

Average milk production: 1 *pounds per cow per day*

B. MANURE GENERATED

Total manure excreted by the herd: 1.00 *tons per reporting period*

Total nitrogen from manure: 1.00 *lbs per reporting period*

After ammonia losses (30% loss applied): 0.70 *lbs per reporting period*

Total phosphorus from manure: 1.00 *lbs per reporting period*

Total potassium from manure: 1.00 *lbs per reporting period*

Total salt from manure: 0.00 *lbs per reporting period*

C. PROCESS WASTEWATER GENERATED

Process wastewater generated: _____ *gallons*

Total nitrogen generated: _____ *lbs*

Total phosphorus generated: _____ *lbs*

Total potassium generated: _____ *lbs*

Total salt generated: _____ *lbs*

	0	*gallons applied*
+	0	*gallons exported*
-	0	*gallons imported*
=	0	*gallons generated*

D. FRESH WATER SOURCES

Source Description	Type
MID Lateral 5	Surface water

E. SUBSURFACE (TILE) DRAINAGE SOURCES

No subsurface (tile) drainage sources entered.

F. NUTRIENT IMPORTS

No dry manure nutrient imports entered.

No process wastewater nutrient imports entered.

Date	Material type / Description	Quantity	Reporting basis	Moisture (%)	N (%)	P (%)	K (%)	Salt (%)
05/27/2023	Solid commercial fertilizer *UN32*	8.39 *ton*	Dry-weight	0.1	32.000000	0.000000	0.000000	0.000000

Material type	Total N (lbs)	Total P (lbs)	Total K (lbs)	Total salt (lbs)
Commercial fertilizer / Other	5,364.23	0.00	0.00	0.00
Dry manure	0.00	0.00	0.00	0.00
Process wastewater	0.00	0.00	0.00	0.00
Total imports for all materials	5,364.23	0.00	0.00	0.00

G. NUTRIENT EXPORTS

Date	Material type	Quantity	Reporting basis	Moisture (%)	Density (lbs/cu ft)	N (mg/kg)	P (mg/kg)	K (mg/kg)	Salt (mg/kg)	TFS (%)
02/16/2023	Corral solids	690.00 *ton*	Dry-weight	24.4		27,300.00	33,500.00	17,100.00		64.80
11/27/2023	Corral solids	1,700.00 *ton*	Dry-weight	24.4		27,300.00	33,500.00	17,100.00		64.80

No liquid nutrient exports entered.

Material type	Total N (lbs)	Total P (lbs)	Total K (lbs)	Total salt (lbs)
Dry manure	98,653.46	121,058.28	61,793.93	2,341,664.64
Process wastewater	0.00	0.00	0.00	0.00
Total exports for all materials	98,653.46	121,058.28	61,793.93	2,341,664.64

APPLICATION AREA

A. LIST OF LAND APPLICATION AREAS

Field name	Controlled acres	Cropable acres	Total harvests	Type of waste applied	Parcel number
Field 1	58	58	1	none	X017-X004-X001-XXXX
Field 2	9	9	1	none	X017-X004-X001-XXXX
Field 3	11	11	1	none	X017-X005-X015-XXXX
Field 4	20	20	1	none	X017-X005-X015-XXXX
Field 5	20	20	1	none	X012-X053-X010-XXXX
Field 6	7	7	1	none	X012-X053-X010-XXXX
Totals for areas that were used for application					
Totals for areas that were not used for application	125	125	6		
Land application area totals	125	125	6		

B. CROPS AND HARVESTS

Field 1

Field name: Field 1

02/01/2021: Almond, in shell

Crop: Almond, in shell Acres planted: 58 Plant date: 02/01/2021

Harvest date	Yield	Reporting basis	Density (lbs/cu ft)	Moisture (%)	N (mg/kg)	P (mg/kg)	K (mg/kg)	Salt (mg/kg)	TFS (%)
09/22/2023	19.00 *ton*	As-is		10.0	65,000.00	11,000.00	70,500.00		0.00

	Yield (tons/acre)	Total N (lbs/acre)	Total P (lbs/acre)	Total K (lbs/acre)	Salt (lbs/acre)
Anticipated harvest content	1.00	43.00	7.30	46.50	0.00
Total actual harvest content	0.33	42.59	7.21	46.19	0.00

Field 2

Field name: Field 2

Field 2

02/01/2022: Almond, in shell

Crop: Almond, in shell Acres planted: 9 Plant date: 02/01/2022

Harvest date	Yield	Reporting basis	Density (lbs/cu ft)	Moisture (%)	N (mg/kg)	P (mg/kg)	K (mg/kg)	Salt (mg/kg)	TFS (%)
12/31/2023	1.00 *ton*	As-is		0.1	0.00	0.00	0.00		0.00

	Yield (tons/acre)	Total N (lbs/acre)	Total P (lbs/acre)	Total K (lbs/acre)	Salt (lbs/acre)
Anticipated harvest content	1.00	43.00	7.30	46.50	0.00
Total actual harvest content	0.11	0.00	0.00	0.00	0.00

Field 3

Field name: Field 3

02/01/2022: Almond, in shell

Crop: Almond, in shell Acres planted: 11 Plant date: 02/01/2022

Harvest date	Yield	Reporting basis	Density (lbs/cu ft)	Moisture (%)	N (mg/kg)	P (mg/kg)	K (mg/kg)	Salt (mg/kg)	TFS (%)
12/31/2023	0.10 *ton*	As-is		0.1	0.00	0.00	0.00		0.00

	Yield (tons/acre)	Total N (lbs/acre)	Total P (lbs/acre)	Total K (lbs/acre)	Salt (lbs/acre)
Anticipated harvest content	1.00	43.00	7.30	46.50	0.00
Total actual harvest content	0.01	0.00	0.00	0.00	0.00

Field 4

Field name: Field 4

Field 4

02/01/2022: Almond, in shell

Crop: Almond, in shell Acres planted: 20 Plant date: 02/01/2022

Harvest date	Yield	Reporting basis	Density (lbs/cu ft)	Moisture (%)	N (mg/kg)	P (mg/kg)	K (mg/kg)	Salt (mg/kg)	TFS (%)
12/31/2023	0.10 *ton*	As-is		0.1	0.00	0.00	0.00		0.00

	Yield (tons/acre)	Total N (lbs/acre)	Total P (lbs/acre)	Total K (lbs/acre)	Salt (lbs/acre)
Anticipated harvest content	1.00	43.00	7.30	46.50	0.00
Total actual harvest content	0.01	0.00	0.00	0.00	0.00

Field 5

Field name: Field 5

01/01/2023: Walnuts

Crop: Walnuts Acres planted: 20 Plant date: 01/01/2023

Harvest date	Yield	Reporting basis	Density (lbs/cu ft)	Moisture (%)	N (mg/kg)	P (mg/kg)	K (mg/kg)	Salt (mg/kg)	TFS (%)
10/26/2023	55.00 *ton*	As-is		10.0	20,000.00	1,500.00	14,400.00		0.00

	Yield (tons/acre)	Total N (lbs/acre)	Total P (lbs/acre)	Total K (lbs/acre)	Salt (lbs/acre)
Anticipated harvest content	2.50	100.00	7.50	72.00	0.00
Total actual harvest content	2.75	110.00	8.25	79.20	0.00

Field 6

Field name: Field 6

Field 6

01/01/2023: Walnuts

Crop: Walnuts Acres planted: 7 Plant date: 01/01/2023

Harvest date	Yield	Reporting basis	Density (lbs/cu ft)	Moisture (%)	N (mg/kg)	P (mg/kg)	K (mg/kg)	Salt (mg/kg)	TFS (%)
10/26/2023	18.00 *ton*	As-is		10.0	20,000.00	1,500.00	14,400.00		0.00

	Yield (tons/acre)	Total N (lbs/acre)	Total P (lbs/acre)	Total K (lbs/acre)	Salt (lbs/acre)
Anticipated harvest content	2.50	100.00	7.50	72.00	0.00
Total actual harvest content	2.57	102.86	7.71	74.06	0.00

NUTRIENT BUDGET

A. LAND APPLICATIONS

Field 1 - 02/01/2021: Almond, in shell

Field name: Field 1

Crop: Almond, in shell

Plant date: 02/01/2021

Application date	Application method	Precipitation 24 hours prior	Precipitation during application	Precipitation 24 hours following
04/19/2023	Surface (irrigation)	No precipitation	No precipitation	No precipitation

Source description	Material type	N (lbs/acre)	P (lbs/acre)	K (lbs/acre)	Salt (lbs/acre)	Amount
MID Lateral 5	Surface water	0.00	0.00	0.00	53.10	9,975,000.00 *gal*
Application event totals		0.00	0.00	0.00	53.10	

Application date	Application method	Precipitation 24 hours prior	Precipitation during application	Precipitation 24 hours following
04/19/2023	Sidedress	No precipitation	No precipitation	No precipitation

Source description	Material type	N (lbs/acre)	P (lbs/acre)	K (lbs/acre)	Salt (lbs/acre)	Amount
UN32	Solid commercial fertilizer	19.20	0.00	0.00	0.00	
Application event totals		19.20	0.00	0.00	0.00	

Application date	Application method	Precipitation 24 hours prior	Precipitation during application	Precipitation 24 hours following
05/06/2023	Surface (irrigation)	No precipitation	No precipitation	No precipitation

Source description	Material type	N (lbs/acre)	P (lbs/acre)	K (lbs/acre)	Salt (lbs/acre)	Amount
MID Lateral 5	Surface water	0.00	0.00	0.00	47.51	8,925,000.00 *gal*
Application event totals		0.00	0.00	0.00	47.51	

Application date	Application method	Precipitation 24 hours prior	Precipitation during application	Precipitation 24 hours following
05/26/2023	Surface (irrigation)	No precipitation	No precipitation	No precipitation

Source description	Material type	N (lbs/acre)	P (lbs/acre)	K (lbs/acre)	Salt (lbs/acre)	Amount
UN32	Solid commercial fertilizer	19.20	0.00	0.00	0.00	
Application event totals		19.20	0.00	0.00	0.00	

Application date	Application method	Precipitation 24 hours prior	Precipitation during application	Precipitation 24 hours following
05/26/2023	Sidedress	No precipitation	No precipitation	No precipitation

Source description	Material type	N (lbs/acre)	P (lbs/acre)	K (lbs/acre)	Salt (lbs/acre)	Amount
MID Lateral 5	Surface water	0.00	0.00	0.00	44.72	8,400,000.00 *gal*
Application event totals		0.00	0.00	0.00	44.72	

Field 1 - 02/01/2021: Almond, in shell

Application date	Application method	Precipitation 24 hours prior	Precipitation during application	Precipitation 24 hours following
06/17/2023	Surface (irrigation)	No precipitation	No precipitation	No precipitation

Source description	Material type	N (lbs/acre)	P (lbs/acre)	K (lbs/acre)	Salt (lbs/acre)	Amount
MID Lateral 5	Surface water	0.00	0.00	0.00	44.72	8,400,000.00 *gal*
Application event totals		0.00	0.00	0.00	44.72	

Application date	Application method	Precipitation 24 hours prior	Precipitation during application	Precipitation 24 hours following
07/08/2023	Surface (irrigation)	No precipitation	No precipitation	No precipitation

Source description	Material type	N (lbs/acre)	P (lbs/acre)	K (lbs/acre)	Salt (lbs/acre)	Amount
MID Lateral 5	Surface water	0.00	0.00	0.00	41.92	7,875,000.00 *gal*
Application event totals		0.00	0.00	0.00	41.92	

Application date	Application method	Precipitation 24 hours prior	Precipitation during application	Precipitation 24 hours following
07/30/2023	Surface (irrigation)	No precipitation	No precipitation	No precipitation

Source description	Material type	N (lbs/acre)	P (lbs/acre)	K (lbs/acre)	Salt (lbs/acre)	Amount
MID Lateral 5	Surface water	0.00	0.00	0.00	41.92	7,875,000.00 *gal*
Application event totals		0.00	0.00	0.00	41.92	

Application date	Application method	Precipitation 24 hours prior	Precipitation during application	Precipitation 24 hours following
08/22/2023	Surface (irrigation)	No precipitation	No precipitation	No precipitation

Source description	Material type	N (lbs/acre)	P (lbs/acre)	K (lbs/acre)	Salt (lbs/acre)	Amount
MID Lateral 5	Surface water	0.00	0.00	0.00	39.13	7,350,000.00 *gal*
Application event totals		0.00	0.00	0.00	39.13	

Application date	Application method	Precipitation 24 hours prior	Precipitation during application	Precipitation 24 hours following
10/04/2023	Surface (irrigation)	No precipitation	No precipitation	No precipitation

Source description	Material type	N (lbs/acre)	P (lbs/acre)	K (lbs/acre)	Salt (lbs/acre)	Amount
MID Lateral 5	Surface water	0.00	0.00	0.00	39.13	7,350,000.00 *gal*
Application event totals		0.00	0.00	0.00	39.13	

Field 2 - 02/01/2022: Almond, in shell

Field name: Field 2

Crop: Almond, in shell

Plant date: 02/01/2022

Application date	Application method	Precipitation 24 hours prior	Precipitation during application	Precipitation 24 hours following

Field 2 - 02/01/2022: Almond, in shell

Application date	Application method	Precipitation 24 hours prior	Precipitation during application	Precipitation 24 hours following
04/19/2023	Surface (irrigation)	No precipitation	No precipitation	No precipitation

Source description	Material type	N (lbs/acre)	P (lbs/acre)	K (lbs/acre)	Salt (lbs/acre)	Amount
MID Lateral 5	Surface water	0.00	0.00	0.00	54.03	1,575,000.00 *gal*
Application event totals		0.00	0.00	0.00	54.03	

Application date	Application method	Precipitation 24 hours prior	Precipitation during application	Precipitation 24 hours following
04/19/2023	Sidedress	No precipitation	No precipitation	No precipitation

Source description	Material type	N (lbs/acre)	P (lbs/acre)	K (lbs/acre)	Salt (lbs/acre)	Amount
UN32	Solid commercial fertilizer	19.20	0.00	0.00	0.00	
Application event totals		19.20	0.00	0.00	0.00	

Application date	Application method	Precipitation 24 hours prior	Precipitation during application	Precipitation 24 hours following
05/06/2023	Surface (irrigation)	No precipitation	No precipitation	No precipitation

Source description	Material type	N (lbs/acre)	P (lbs/acre)	K (lbs/acre)	Salt (lbs/acre)	Amount
MID Lateral 5	Surface water	0.00	0.00	0.00	54.03	1,575,000.00 *gal*
Application event totals		0.00	0.00	0.00	54.03	

Application date	Application method	Precipitation 24 hours prior	Precipitation during application	Precipitation 24 hours following
05/26/2023	Surface (irrigation)	No precipitation	No precipitation	No precipitation

Source description	Material type	N (lbs/acre)	P (lbs/acre)	K (lbs/acre)	Salt (lbs/acre)	Amount
MID Lateral 5	Surface water	0.00	0.00	0.00	49.53	1,443,750.00 *gal*
Application event totals		0.00	0.00	0.00	49.53	

Application date	Application method	Precipitation 24 hours prior	Precipitation during application	Precipitation 24 hours following
05/26/2023	Sidedress	No precipitation	No precipitation	No precipitation

Source description	Material type	N (lbs/acre)	P (lbs/acre)	K (lbs/acre)	Salt (lbs/acre)	Amount
UN32	Solid commercial fertilizer	19.20	0.00	0.00	0.00	
Application event totals		19.20	0.00	0.00	0.00	

Application date	Application method	Precipitation 24 hours prior	Precipitation during application	Precipitation 24 hours following
06/17/2023	Surface (irrigation)	No precipitation	No precipitation	No precipitation

Source description	Material type	N (lbs/acre)	P (lbs/acre)	K (lbs/acre)	Salt (lbs/acre)	Amount
MID Lateral 5	Surface water	0.00	0.00	0.00	45.03	1,312,500.00 *gal*
Application event totals		0.00	0.00	0.00	45.03	

Field 2 - 02/01/2022: Almond, in shell

Application date	Application method	Precipitation 24 hours prior	Precipitation during application	Precipitation 24 hours following
07/08/2023	Surface (irrigation)	No precipitation	No precipitation	No precipitation

Source description	Material type	N (lbs/acre)	P (lbs/acre)	K (lbs/acre)	Salt (lbs/acre)	Amount
MID Lateral 5	Surface water	0.00	0.00	0.00	45.03	1,312,500.00 *gal*
Application event totals		0.00	0.00	0.00	45.03	

Application date	Application method	Precipitation 24 hours prior	Precipitation during application	Precipitation 24 hours following
07/30/2023	Surface (irrigation)	No precipitation	No precipitation	No precipitation

Source description	Material type	N (lbs/acre)	P (lbs/acre)	K (lbs/acre)	Salt (lbs/acre)	Amount
MID Lateral 5	Surface water	0.00	0.00	0.00	36.02	1,050,000.00 *gal*
Application event totals		0.00	0.00	0.00	36.02	

Application date	Application method	Precipitation 24 hours prior	Precipitation during application	Precipitation 24 hours following
08/22/2023	Surface (irrigation)	No precipitation	No precipitation	No precipitation

Source description	Material type	N (lbs/acre)	P (lbs/acre)	K (lbs/acre)	Salt (lbs/acre)	Amount
MID Lateral 5	Surface water	0.00	0.00	0.00	36.02	1,050,000.00 *gal*
Application event totals		0.00	0.00	0.00	36.02	

Application date	Application method	Precipitation 24 hours prior	Precipitation during application	Precipitation 24 hours following
09/12/2023	Surface (irrigation)	No precipitation	No precipitation	No precipitation

Source description	Material type	N (lbs/acre)	P (lbs/acre)	K (lbs/acre)	Salt (lbs/acre)	Amount
MID Lateral 5	Surface water	0.00	0.00	0.00	36.02	1,050,000.00 *gal*
Application event totals		0.00	0.00	0.00	36.02	

Application date	Application method	Precipitation 24 hours prior	Precipitation during application	Precipitation 24 hours following
10/04/2023	Surface (irrigation)	No precipitation	No precipitation	No precipitation

Source description	Material type	N (lbs/acre)	P (lbs/acre)	K (lbs/acre)	Salt (lbs/acre)	Amount
MID Lateral 5	Surface water	0.00	0.00	0.00	36.02	1,050,000.00 *gal*
Application event totals		0.00	0.00	0.00	36.02	

Field 3 - 02/01/2022: Almond, in shell

Field name: Field 3

Crop: Almond, in shell

Plant date: 02/01/2022

Application date	Application method	Precipitation 24 hours prior	Precipitation during application	Precipitation 24 hours following

Field 3 - 02/01/2022: Almond, in shell

Application date	Application method	Precipitation 24 hours prior	Precipitation during application	Precipitation 24 hours following
04/20/2023	Surface (irrigation)	No precipitation	No precipitation	No precipitation

Source description	Material type	N (lbs/acre)	P (lbs/acre)	K (lbs/acre)	Salt (lbs/acre)	Amount
MID Lateral 5	Surface water	0.00	0.00	0.00	44.21	1,575,000.00 *gal*
Application event totals		0.00	0.00	0.00	44.21	

Application date	Application method	Precipitation 24 hours prior	Precipitation during application	Precipitation 24 hours following
04/20/2023	Sidedress	No precipitation	No precipitation	No precipitation

Source description	Material type	N (lbs/acre)	P (lbs/acre)	K (lbs/acre)	Salt (lbs/acre)	Amount
UN32	Solid commercial fertilizer	19.20	0.00	0.00	0.00	
Application event totals		19.20	0.00	0.00	0.00	

Application date	Application method	Precipitation 24 hours prior	Precipitation during application	Precipitation 24 hours following
05/07/2023	Surface (irrigation)	No precipitation	No precipitation	No precipitation

Source description	Material type	N (lbs/acre)	P (lbs/acre)	K (lbs/acre)	Salt (lbs/acre)	Amount
MID Lateral 5	Surface water	0.00	0.00	0.00	4.42	157,500.00 *gal*
Application event totals		0.00	0.00	0.00	4.42	

Application date	Application method	Precipitation 24 hours prior	Precipitation during application	Precipitation 24 hours following
05/27/2023	Surface (irrigation)	No precipitation	No precipitation	No precipitation

Source description	Material type	N (lbs/acre)	P (lbs/acre)	K (lbs/acre)	Salt (lbs/acre)	Amount
MID Lateral 5	Surface water	0.00	0.00	0.00	44.21	1,575,000.00 *gal*
Application event totals		0.00	0.00	0.00	44.21	

Application date	Application method	Precipitation 24 hours prior	Precipitation during application	Precipitation 24 hours following
05/27/2023	Sidedress	No precipitation	No precipitation	No precipitation

Source description	Material type	N (lbs/acre)	P (lbs/acre)	K (lbs/acre)	Salt (lbs/acre)	Amount
UN32	Solid commercial fertilizer	19.20	0.00	0.00	0.00	
Application event totals		19.20	0.00	0.00	0.00	

Application date	Application method	Precipitation 24 hours prior	Precipitation during application	Precipitation 24 hours following
06/18/2023	Surface (irrigation)	No precipitation	No precipitation	No precipitation

Source description	Material type	N (lbs/acre)	P (lbs/acre)	K (lbs/acre)	Salt (lbs/acre)	Amount
MID Lateral 5	Surface water	0.00	0.00	0.00	44.21	1,575,000.00 *gal*
Application event totals		0.00	0.00	0.00	44.21	

Field 3 - 02/01/2022: Almond, in shell

Application date	Application method	Precipitation 24 hours prior	Precipitation during application	Precipitation 24 hours following
07/09/2023	Surface (irrigation)	No precipitation	No precipitation	No precipitation

Source description	Material type	N (lbs/acre)	P (lbs/acre)	K (lbs/acre)	Salt (lbs/acre)	Amount
MID Lateral 5	Surface water	0.00	0.00	0.00	40.53	1,443,750.00 *gal*
Application event totals		0.00	0.00	0.00	40.53	

Application date	Application method	Precipitation 24 hours prior	Precipitation during application	Precipitation 24 hours following
07/31/2023	Surface (irrigation)	No precipitation	No precipitation	No precipitation

Source description	Material type	N (lbs/acre)	P (lbs/acre)	K (lbs/acre)	Salt (lbs/acre)	Amount
MID Lateral 5	Surface water	0.00	0.00	0.00	36.84	1,312,500.00 *gal*
Application event totals		0.00	0.00	0.00	36.84	

Application date	Application method	Precipitation 24 hours prior	Precipitation during application	Precipitation 24 hours following
08/23/2023	Surface (irrigation)	No precipitation	No precipitation	No precipitation

Source description	Material type	N (lbs/acre)	P (lbs/acre)	K (lbs/acre)	Salt (lbs/acre)	Amount
MID Lateral 5	Surface water	0.00	0.00	0.00	36.84	1,312,500.00 *gal*
Application event totals		0.00	0.00	0.00	36.84	

Application date	Application method	Precipitation 24 hours prior	Precipitation during application	Precipitation 24 hours following
09/13/2023	Surface (irrigation)	No precipitation	No precipitation	No precipitation

Source description	Material type	N (lbs/acre)	P (lbs/acre)	K (lbs/acre)	Salt (lbs/acre)	Amount
MID Lateral 5	Surface water	0.00	0.00	0.00	36.84	1,312,500.00 *gal*
Application event totals		0.00	0.00	0.00	36.84	

Application date	Application method	Precipitation 24 hours prior	Precipitation during application	Precipitation 24 hours following
10/05/2023	Surface (irrigation)	No precipitation	No precipitation	No precipitation

Source description	Material type	N (lbs/acre)	P (lbs/acre)	K (lbs/acre)	Salt (lbs/acre)	Amount
MID Lateral 5	Surface water	0.00	0.00	0.00	29.47	1,050,000.00 *gal*
Application event totals		0.00	0.00	0.00	29.47	

Field 4 - 02/01/2022: Almond, in shell

Field name: Field 4

Crop: Almond, in shell

Plant date: 02/01/2022

Application date	Application method	Precipitation 24 hours prior	Precipitation during application	Precipitation 24 hours following

Field 4 - 02/01/2022: Almond, in shell

Application date	Application method	Precipitation 24 hours prior	Precipitation during application	Precipitation 24 hours following
04/20/2023	Surface (irrigation)	No precipitation	No precipitation	No precipitation

Source description	Material type	N (lbs/acre)	P (lbs/acre)	K (lbs/acre)	Salt (lbs/acre)	Amount
UN32	Solid commercial fertilizer	19.20	0.00	0.00	0.00	
Application event totals		19.20	0.00	0.00	0.00	

Application date	Application method	Precipitation 24 hours prior	Precipitation during application	Precipitation 24 hours following
04/20/2023	Sidedress	No precipitation	No precipitation	No precipitation

Source description	Material type	N (lbs/acre)	P (lbs/acre)	K (lbs/acre)	Salt (lbs/acre)	Amount
MID Lateral 5	Surface water	0.00	0.00	0.00	48.63	3,150,000.00 *gal*
Application event totals		0.00	0.00	0.00	48.63	

Application date	Application method	Precipitation 24 hours prior	Precipitation during application	Precipitation 24 hours following
05/07/2023	Surface (irrigation)	No precipitation	No precipitation	No precipitation

Source description	Material type	N (lbs/acre)	P (lbs/acre)	K (lbs/acre)	Salt (lbs/acre)	Amount
MID Lateral 5	Surface water	0.00	0.00	0.00	48.63	3,150,000.00 *gal*
Application event totals		0.00	0.00	0.00	48.63	

Application date	Application method	Precipitation 24 hours prior	Precipitation during application	Precipitation 24 hours following
05/27/2023	Surface (irrigation)	No precipitation	No precipitation	No precipitation

Source description	Material type	N (lbs/acre)	P (lbs/acre)	K (lbs/acre)	Salt (lbs/acre)	Amount
UN32	Solid commercial fertilizer	19.20	0.00	0.00	0.00	
Application event totals		19.20	0.00	0.00	0.00	

Application date	Application method	Precipitation 24 hours prior	Precipitation during application	Precipitation 24 hours following
05/27/2023	Sidedress	No precipitation	No precipitation	No precipitation

Source description	Material type	N (lbs/acre)	P (lbs/acre)	K (lbs/acre)	Salt (lbs/acre)	Amount
MID Lateral 5	Surface water	0.00	0.00	0.00	48.63	3,150,000.00 *gal*
Application event totals		0.00	0.00	0.00	48.63	

Application date	Application method	Precipitation 24 hours prior	Precipitation during application	Precipitation 24 hours following
06/18/2023	Surface (irrigation)	No precipitation	No precipitation	No precipitation

Source description	Material type	N (lbs/acre)	P (lbs/acre)	K (lbs/acre)	Salt (lbs/acre)	Amount
MID Lateral 5	Surface water	0.00	0.00	0.00	46.60	3,018,750.00 *gal*
Application event totals		0.00	0.00	0.00	46.60	

Field 4 - 02/01/2022: Almond, in shell

Application date	Application method	Precipitation 24 hours prior	Precipitation during application	Precipitation 24 hours following
07/09/2023	Surface (irrigation)	No precipitation	No precipitation	No precipitation

Source description	Material type	N (lbs/acre)	P (lbs/acre)	K (lbs/acre)	Salt (lbs/acre)	Amount
MID Lateral 5	Surface water	0.00	0.00	0.00	44.58	2,887,500.00 *gal*
Application event totals		0.00	0.00	0.00	44.58	

Application date	Application method	Precipitation 24 hours prior	Precipitation during application	Precipitation 24 hours following
07/31/2023	Surface (irrigation)	No precipitation	No precipitation	No precipitation

Source description	Material type	N (lbs/acre)	P (lbs/acre)	K (lbs/acre)	Salt (lbs/acre)	Amount
MID Lateral 5	Surface water	0.00	0.00	0.00	44.58	2,887,500.00 *gal*
Application event totals		0.00	0.00	0.00	44.58	

Application date	Application method	Precipitation 24 hours prior	Precipitation during application	Precipitation 24 hours following
08/23/2023	Surface (irrigation)	No precipitation	No precipitation	No precipitation

Source description	Material type	N (lbs/acre)	P (lbs/acre)	K (lbs/acre)	Salt (lbs/acre)	Amount
MID Lateral 5	Surface water	0.00	0.00	0.00	42.55	2,756,250.00 *gal*
Application event totals		0.00	0.00	0.00	42.55	

Application date	Application method	Precipitation 24 hours prior	Precipitation during application	Precipitation 24 hours following
09/13/2023	Surface (irrigation)	No precipitation	No precipitation	No precipitation

Source description	Material type	N (lbs/acre)	P (lbs/acre)	K (lbs/acre)	Salt (lbs/acre)	Amount
MID Lateral 5	Surface water	0.00	0.00	0.00	40.53	2,625,000.00 *gal*
Application event totals		0.00	0.00	0.00	40.53	

Application date	Application method	Precipitation 24 hours prior	Precipitation during application	Precipitation 24 hours following
10/05/2023	Surface (irrigation)	No precipitation	No precipitation	No precipitation

Source description	Material type	N (lbs/acre)	P (lbs/acre)	K (lbs/acre)	Salt (lbs/acre)	Amount
MID Lateral 5	Surface water	0.00	0.00	0.00	40.53	2,625,000.00 *gal*
Application event totals		0.00	0.00	0.00	40.53	

Field 5 - 01/01/2023: Walnuts

Field name: Field 5

Crop: Walnuts

Plant date: 01/01/2023

Application date	Application method	Precipitation 24 hours prior	Precipitation during application	Precipitation 24 hours following

Field 5 - 01/01/2023: Walnuts

Application date	Application method	Precipitation 24 hours prior	Precipitation during application	Precipitation 24 hours following
04/18/2023	Surface (irrigation)	No precipitation	No precipitation	No precipitation

Source description	Material type	N (lbs/acre)	P (lbs/acre)	K (lbs/acre)	Salt (lbs/acre)	Amount
UN32	Solid commercial fertilizer	30.40	0.00	0.00	0.00	
Application event totals		30.40	0.00	0.00	0.00	

Application date	Application method	Precipitation 24 hours prior	Precipitation during application	Precipitation 24 hours following
04/18/2023	Sidedress	No precipitation	No precipitation	No precipitation

Source description	Material type	N (lbs/acre)	P (lbs/acre)	K (lbs/acre)	Salt (lbs/acre)	Amount
MID Lateral 5	Surface water	0.00	0.00	0.00	48.63	3,150,000.00 *gal*
Application event totals		0.00	0.00	0.00	48.63	

Application date	Application method	Precipitation 24 hours prior	Precipitation during application	Precipitation 24 hours following
05/05/2023	Surface (irrigation)	No precipitation	No precipitation	No precipitation

Source description	Material type	N (lbs/acre)	P (lbs/acre)	K (lbs/acre)	Salt (lbs/acre)	Amount
MID Lateral 5	Surface water	0.00	0.00	0.00	48.63	3,150,000.00 *gal*
Application event totals		0.00	0.00	0.00	48.63	

Application date	Application method	Precipitation 24 hours prior	Precipitation during application	Precipitation 24 hours following
05/25/2023	Surface (irrigation)	No precipitation	No precipitation	No precipitation

Source description	Material type	N (lbs/acre)	P (lbs/acre)	K (lbs/acre)	Salt (lbs/acre)	Amount
UN32	Solid commercial fertilizer	30.40	0.00	0.00	0.00	
Application event totals		30.40	0.00	0.00	0.00	

Application date	Application method	Precipitation 24 hours prior	Precipitation during application	Precipitation 24 hours following
05/25/2023	Sidedress	No precipitation	No precipitation	No precipitation

Source description	Material type	N (lbs/acre)	P (lbs/acre)	K (lbs/acre)	Salt (lbs/acre)	Amount
MID Lateral 5	Surface water	0.00	0.00	0.00	42.55	2,756,250.00 *gal*
Application event totals		0.00	0.00	0.00	42.55	

Application date	Application method	Precipitation 24 hours prior	Precipitation during application	Precipitation 24 hours following
06/16/2023	Surface (irrigation)	No precipitation	No precipitation	No precipitation

Source description	Material type	N (lbs/acre)	P (lbs/acre)	K (lbs/acre)	Salt (lbs/acre)	Amount
MID Lateral 5	Surface water	0.00	0.00	0.00	42.55	2,756,250.00 *gal*
Application event totals		0.00	0.00	0.00	42.55	

Field 5 - 01/01/2023: Walnuts

Application date	Application method	Precipitation 24 hours prior	Precipitation during application	Precipitation 24 hours following
07/07/2023	Surface (irrigation)	No precipitation	No precipitation	No precipitation

Source description	Material type	N (lbs/acre)	P (lbs/acre)	K (lbs/acre)	Salt (lbs/acre)	Amount
MID Lateral 5	Surface water	0.00	0.00	0.00	40.53	2,625,000.00 *gal*
Application event totals		0.00	0.00	0.00	40.53	

Application date	Application method	Precipitation 24 hours prior	Precipitation during application	Precipitation 24 hours following
07/29/2023	Surface (irrigation)	No precipitation	No precipitation	No precipitation

Source description	Material type	N (lbs/acre)	P (lbs/acre)	K (lbs/acre)	Salt (lbs/acre)	Amount
MID Lateral 5	Surface water	0.00	0.00	0.00	40.53	2,625,000.00 *gal*
Application event totals		0.00	0.00	0.00	40.53	

Application date	Application method	Precipitation 24 hours prior	Precipitation during application	Precipitation 24 hours following
08/21/2023	Surface (irrigation)	No precipitation	No precipitation	No precipitation

Source description	Material type	N (lbs/acre)	P (lbs/acre)	K (lbs/acre)	Salt (lbs/acre)	Amount
MID Lateral 5	Surface water	0.00	0.00	0.00	40.53	2,625,000.00 *gal*
Application event totals		0.00	0.00	0.00	40.53	

Application date	Application method	Precipitation 24 hours prior	Precipitation during application	Precipitation 24 hours following
09/11/2023	Surface (irrigation)	No precipitation	No precipitation	No precipitation

Source description	Material type	N (lbs/acre)	P (lbs/acre)	K (lbs/acre)	Salt (lbs/acre)	Amount
MID Lateral 5	Surface water	0.00	0.00	0.00	32.42	2,100,000.00 *gal*
Application event totals		0.00	0.00	0.00	32.42	

Application date	Application method	Precipitation 24 hours prior	Precipitation during application	Precipitation 24 hours following
10/03/2023	Surface (irrigation)	No precipitation	No precipitation	No precipitation

Source description	Material type	N (lbs/acre)	P (lbs/acre)	K (lbs/acre)	Salt (lbs/acre)	Amount
MID Lateral 5	Surface water	0.00	0.00	0.00	32.42	2,100,000.00 *gal*
Application event totals		0.00	0.00	0.00	32.42	

Field 6 - 01/01/2023: Walnuts

Field name: Field 6

Crop: Walnuts

Plant date: 01/01/2023

Application date	Application method	Precipitation 24 hours prior	Precipitation during application	Precipitation 24 hours following

Field 6 - 01/01/2023: Walnuts

Application date	Application method	Precipitation 24 hours prior	Precipitation during application	Precipitation 24 hours following
04/18/2023	Surface (irrigation)	No precipitation	No precipitation	No precipitation

Source description	Material type	N (lbs/acre)	P (lbs/acre)	K (lbs/acre)	Salt (lbs/acre)	Amount
UN32	Solid commercial fertilizer	30.40	0.00	0.00	0.00	
Application event totals		30.40	0.00	0.00	0.00	

Application date	Application method	Precipitation 24 hours prior	Precipitation during application	Precipitation 24 hours following
04/18/2023	Sidedress	No precipitation	No precipitation	No precipitation

Source description	Material type	N (lbs/acre)	P (lbs/acre)	K (lbs/acre)	Salt (lbs/acre)	Amount
MID Lateral 5	Surface water	0.00	0.00	0.00	52.10	1,181,250.00 *gal*
Application event totals		0.00	0.00	0.00	52.10	

Application date	Application method	Precipitation 24 hours prior	Precipitation during application	Precipitation 24 hours following
05/05/2023	Surface (irrigation)	No precipitation	No precipitation	No precipitation

Source description	Material type	N (lbs/acre)	P (lbs/acre)	K (lbs/acre)	Salt (lbs/acre)	Amount
MID Lateral 5	Surface water	0.00	0.00	0.00	52.10	1,181,250.00 *gal*
Application event totals		0.00	0.00	0.00	52.10	

Application date	Application method	Precipitation 24 hours prior	Precipitation during application	Precipitation 24 hours following
05/25/2023	Surface (irrigation)	No precipitation	No precipitation	No precipitation

Source description	Material type	N (lbs/acre)	P (lbs/acre)	K (lbs/acre)	Salt (lbs/acre)	Amount
UN32	Solid commercial fertilizer	30.40	0.00	0.00	0.00	
Application event totals		30.40	0.00	0.00	0.00	

Application date	Application method	Precipitation 24 hours prior	Precipitation during application	Precipitation 24 hours following
05/25/2023	Sidedress	No precipitation	No precipitation	No precipitation

Source description	Material type	N (lbs/acre)	P (lbs/acre)	K (lbs/acre)	Salt (lbs/acre)	Amount
MID Lateral 5	Surface water	0.00	0.00	0.00	46.31	1,050,000.00 *gal*
Application event totals		0.00	0.00	0.00	46.31	

Application date	Application method	Precipitation 24 hours prior	Precipitation during application	Precipitation 24 hours following
06/16/2023	Surface (irrigation)	No precipitation	No precipitation	No precipitation

Source description	Material type	N (lbs/acre)	P (lbs/acre)	K (lbs/acre)	Salt (lbs/acre)	Amount
MID Lateral 5	Surface water	0.00	0.00	0.00	46.31	1,050,000.00 *gal*
Application event totals		0.00	0.00	0.00	46.31	

Field 6 - 01/01/2023: Walnuts

Application date	Application method	Precipitation 24 hours prior	Precipitation during application	Precipitation 24 hours following
07/07/2023	Surface (irrigation)	No precipitation	No precipitation	No precipitation

Source description	Material type	N (lbs/acre)	P (lbs/acre)	K (lbs/acre)	Salt (lbs/acre)	Amount
MID Lateral 5	Surface water	0.00	0.00	0.00	46.31	1,050,000.00 *gal*
Application event totals		0.00	0.00	0.00	46.31	

Application date	Application method	Precipitation 24 hours prior	Precipitation during application	Precipitation 24 hours following
07/29/2023	Surface (irrigation)	No precipitation	No precipitation	No precipitation

Source description	Material type	N (lbs/acre)	P (lbs/acre)	K (lbs/acre)	Salt (lbs/acre)	Amount
MID Lateral 5	Surface water	0.00	0.00	0.00	34.74	787,500.00 *gal*
Application event totals		0.00	0.00	0.00	34.74	

Application date	Application method	Precipitation 24 hours prior	Precipitation during application	Precipitation 24 hours following
08/21/2023	Surface (irrigation)	No precipitation	No precipitation	No precipitation

Source description	Material type	N (lbs/acre)	P (lbs/acre)	K (lbs/acre)	Salt (lbs/acre)	Amount
MID Lateral 5	Surface water	0.00	0.00	0.00	34.74	787,500.00 *gal*
Application event totals		0.00	0.00	0.00	34.74	

Application date	Application method	Precipitation 24 hours prior	Precipitation during application	Precipitation 24 hours following
09/11/2023	Surface (irrigation)	No precipitation	No precipitation	No precipitation

Source description	Material type	N (lbs/acre)	P (lbs/acre)	K (lbs/acre)	Salt (lbs/acre)	Amount
MID Lateral 5	Surface water	0.00	0.00	0.00	34.74	787,500.00 *gal*
Application event totals		0.00	0.00	0.00	34.74	

Application date	Application method	Precipitation 24 hours prior	Precipitation during application	Precipitation 24 hours following
10/03/2023	Surface (irrigation)	No precipitation	No precipitation	No precipitation

Source description	Material type	N (lbs/acre)	P (lbs/acre)	K (lbs/acre)	Salt (lbs/acre)	Amount
MID Lateral 5	Surface water	0.00	0.00	0.00	34.74	787,500.00 *gal*
Application event totals		0.00	0.00	0.00	34.74	

B. NUTRIENT BUDGET

Field 1 - 02/01/2021: Almond, in shell

Field name: Field 1 Crop: Almond, in shell Plant date: 02/01/2021

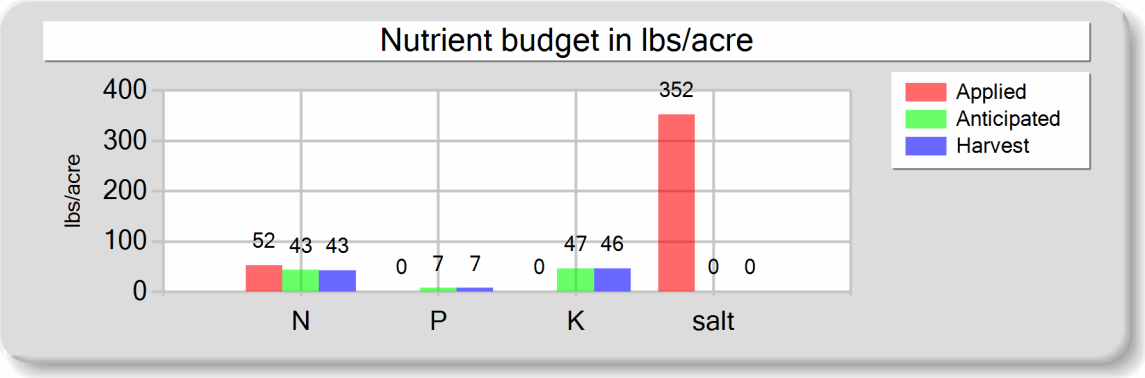

	Total N (lbs/acre)	Total P (lbs/acre)	Total K (lbs/acre)	Total salt (lbs/acre)
Existing soil nutrient content	0.00	0.00	0.00	0.00
Plowdown credit	0.00	0.00	0.00	0.00
Commercial fertilizer / Other	38.40	0.00	0.00	0.00
Dry manure	0.00	0.00	0.00	0.00
Process wastewater	0.00	0.00	0.00	0.00
Fresh water	0.00	0.00	0.00	352.15
Atmospheric deposition	14.00	0.00	0.00	0.00
Total nutrients applied	52.40	0.00	0.00	352.15
Anticipated crop nutrient removal	43.00	7.30	46.50	0.00
Actual crop nutrient removal	42.59	7.21	46.19	0.00
Nutrient balance	9.81	-7.21	-46.19	352.15
Applied to removed ratio	1.23	0.00	0.00	0.00

Fresh water applied	
66,150,000.00	*gallons*
2,436.08	*acre-inches*
42.00	*inches/acre*

Process wastewater applied	
0.00	*gallons*
0.00	*acre-inches*
0.00	*inches/acre*

Total harvests for the crop	
1	*harvests*

Field 2 - 02/01/2022: Almond, in shell

Field name: Field 2 Crop: Almond, in shell Plant date: 02/01/2022

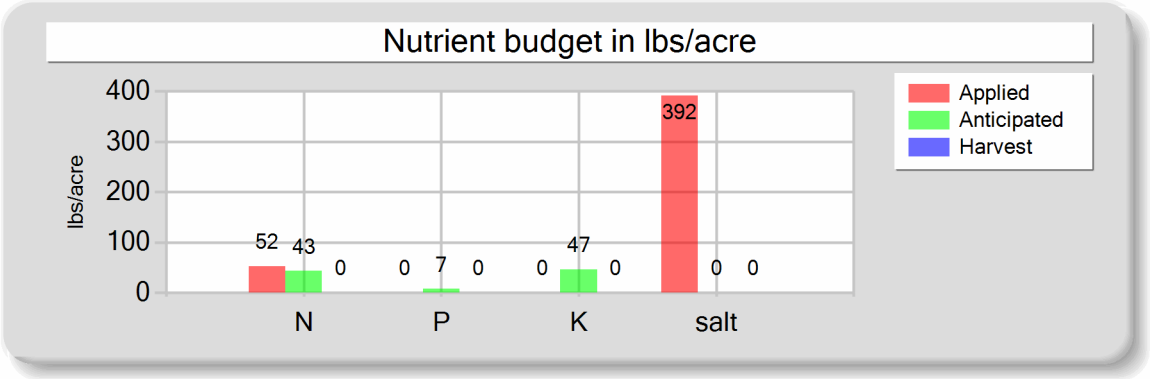

	Total N (lbs/acre)	Total P (lbs/acre)	Total K (lbs/acre)	Total salt (lbs/acre)
Existing soil nutrient content	0.00	0.00	0.00	0.00
Plowdown credit	0.00	0.00	0.00	0.00
Commercial fertilizer / Other	38.40	0.00	0.00	0.00
Dry manure	0.00	0.00	0.00	0.00
Process wastewater	0.00	0.00	0.00	0.00
Fresh water	0.00	0.00	0.00	391.75
Atmospheric deposition	14.00	0.00	0.00	0.00
Total nutrients applied	52.40	0.00	0.00	391.75
Anticipated crop nutrient removal	43.00	7.30	46.50	0.00
Actual crop nutrient removal	0.00	0.00	0.00	0.00
Nutrient balance	52.40	0.00	0.00	391.75
Applied to removed ratio	0.00	0.00	0.00	0.00

Fresh water applied	
11,418,750.00	*gallons*
420.51	*acre-inches*
46.72	*inches/acre*

Process wastewater applied	
0.00	*gallons*
0.00	*acre-inches*
0.00	*inches/acre*

Total harvests for the crop	
1	*harvests*

Field 3 - 02/01/2022: Almond, in shell

Field name: Field 3 Crop: Almond, in shell Plant date: 02/01/2022

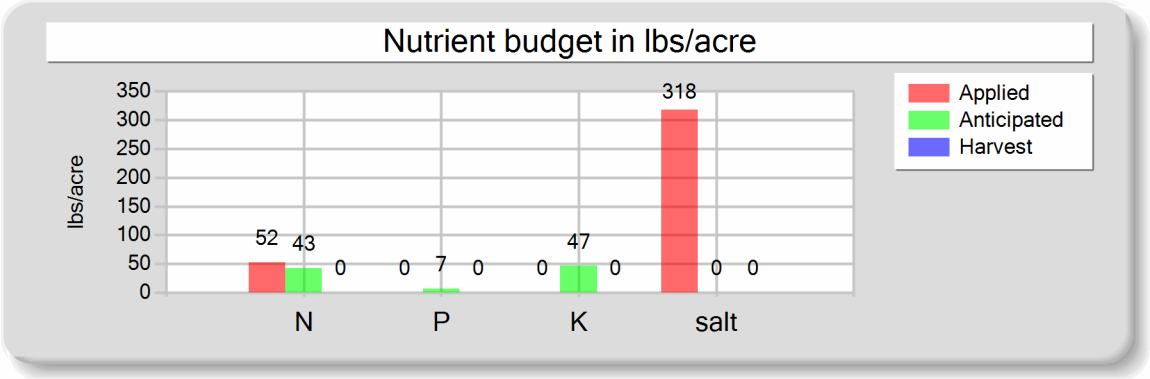

	Total N (lbs/acre)	Total P (lbs/acre)	Total K (lbs/acre)	Total salt (lbs/acre)
Existing soil nutrient content	0.00	0.00	0.00	0.00
Plowdown credit	0.00	0.00	0.00	0.00
Commercial fertilizer / Other	38.40	0.00	0.00	0.00
Dry manure	0.00	0.00	0.00	0.00
Process wastewater	0.00	0.00	0.00	0.00
Fresh water	0.00	0.00	0.00	317.57
Atmospheric deposition	14.00	0.00	0.00	0.00
Total nutrients applied	52.40	0.00	0.00	317.57
Anticipated crop nutrient removal	43.00	7.30	46.50	0.00
Actual crop nutrient removal	0.00	0.00	0.00	0.00
Nutrient balance	52.40	0.00	0.00	317.57
Applied to removed ratio	0.00	0.00	0.00	0.00

Fresh water applied	
11,313,750.00	*gallons*
416.65	*acre-inches*
37.88	*inches/acre*

Process wastewater applied	
0.00	*gallons*
0.00	*acre-inches*
0.00	*inches/acre*

Total harvests for the crop	
1	*harvests*

Field 4 - 02/01/2022: Almond, in shell

Field name: Field 4 Crop: Almond, in shell Plant date: 02/01/2022

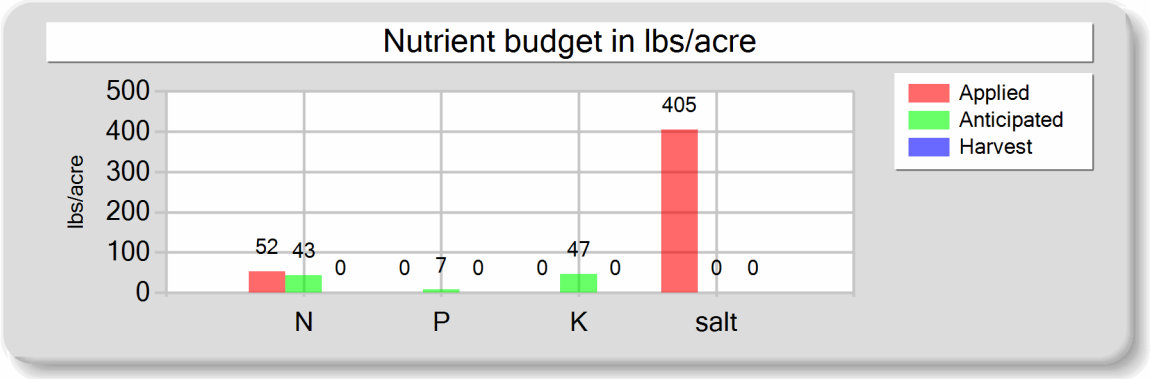

	Total N (lbs/acre)	Total P (lbs/acre)	Total K (lbs/acre)	Total salt (lbs/acre)
Existing soil nutrient content	0.00	0.00	0.00	0.00
Plowdown credit	0.00	0.00	0.00	0.00
Commercial fertilizer / Other	38.40	0.00	0.00	0.00
Dry manure	0.00	0.00	0.00	0.00
Process wastewater	0.00	0.00	0.00	0.00
Fresh water	0.00	0.00	0.00	405.25
Atmospheric deposition	14.00	0.00	0.00	0.00
Total nutrients applied	52.40	0.00	0.00	405.25
Anticipated crop nutrient removal	43.00	7.30	46.50	0.00
Actual crop nutrient removal	0.00	0.00	0.00	0.00
Nutrient balance	52.40	0.00	0.00	405.25
Applied to removed ratio	0.00	0.00	0.00	0.00

Fresh water applied	
26,250,000.00	*gallons*
966.70	*acre-inches*
48.33	*inches/acre*

Process wastewater applied	
0.00	*gallons*
0.00	*acre-inches*
0.00	*inches/acre*

Total harvests for the crop	
1	*harvests*

Field 5 - 01/01/2023: Walnuts

Field name: Field 5 Crop: Walnuts Plant date: 01/01/2023

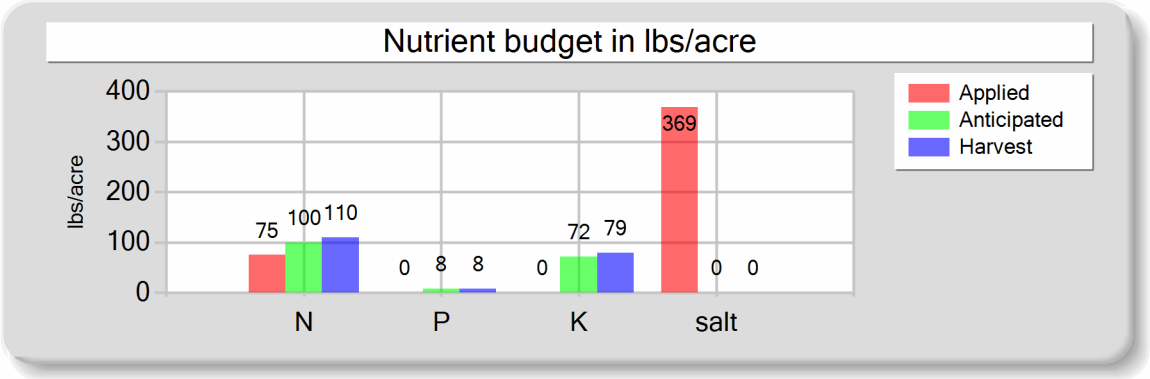

	Total N (lbs/acre)	Total P (lbs/acre)	Total K (lbs/acre)	Total salt (lbs/acre)
Existing soil nutrient content	0.00	0.00	0.00	0.00
Plowdown credit	0.00	0.00	0.00	0.00
Commercial fertilizer / Other	60.80	0.00	0.00	0.00
Dry manure	0.00	0.00	0.00	0.00
Process wastewater	0.00	0.00	0.00	0.00
Fresh water	0.00	0.00	0.00	368.78
Atmospheric deposition	14.00	0.00	0.00	0.00
Total nutrients applied	74.80	0.00	0.00	368.78
Anticipated crop nutrient removal	100.00	7.50	72.00	0.00
Actual crop nutrient removal	110.00	8.25	79.20	0.00
Nutrient balance	-35.20	-8.25	-79.20	368.78
Applied to removed ratio	0.68	0.00	0.00	0.00

Fresh water applied	
23,887,500.00	*gallons*
879.70	*acre-inches*
43.98	*inches/acre*

Process wastewater applied	
0.00	*gallons*
0.00	*acre-inches*
0.00	*inches/acre*

Total harvests for the crop	
1	*harvests*

Field 6 - 01/01/2023: Walnuts

Field name: Field 6 Crop: Walnuts Plant date: 01/01/2023

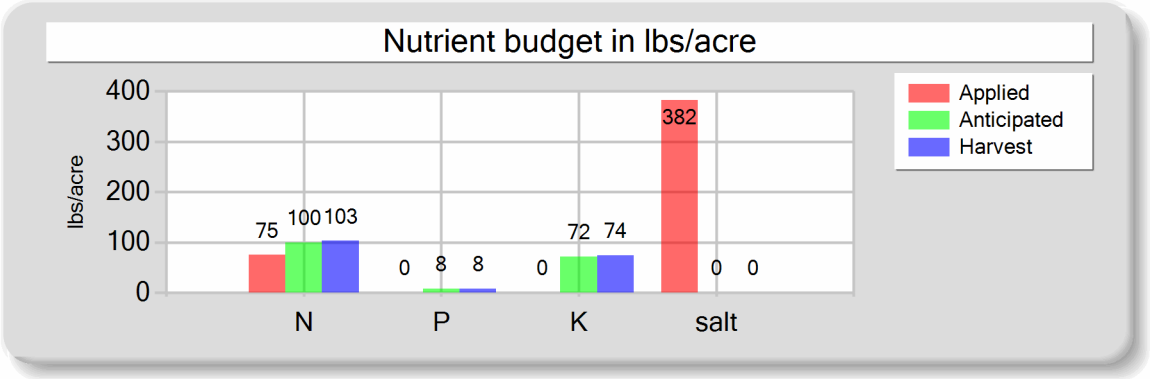

	Total N (lbs/acre)	Total P (lbs/acre)	Total K (lbs/acre)	Total salt (lbs/acre)
Existing soil nutrient content	0.00	0.00	0.00	0.00
Plowdown credit	0.00	0.00	0.00	0.00
Commercial fertilizer / Other	60.80	0.00	0.00	0.00
Dry manure	0.00	0.00	0.00	0.00
Process wastewater	0.00	0.00	0.00	0.00
Fresh water	0.00	0.00	0.00	382.10
Atmospheric deposition	14.00	0.00	0.00	0.00
Total nutrients applied	74.80	0.00	0.00	382.10
Anticipated crop nutrient removal	100.00	7.50	72.00	0.00
Actual crop nutrient removal	102.86	7.71	74.06	0.00
Nutrient balance	-28.06	-7.71	-74.06	382.10
Applied to removed ratio	0.73	0.00	0.00	0.00

Fresh water applied	
8,662,500.00	*gallons*
319.01	*acre-inches*
45.57	*inches/acre*

Process wastewater applied	
0.00	*gallons*
0.00	*acre-inches*
0.00	*inches/acre*

Total harvests for the crop	
1	*harvests*

NUTRIENT ANALYSES

A. MANURE ANALYSES

Corral Solids

Sample and source description: Corral Solids

Sample date: 12/28/2023 Material type: Corral solids Source of analysis: Lab analysis Method of reporting: Dry-weight

Moisture: 24.4 %

	Total N (mg/kg)	Total P (mg/kg)	Total K (mg/kg)	Calcium (mg/kg)	Magnesium (mg/kg)	Sodium (mg/kg)	Sulfur (mg/kg)	Chloride (mg/kg)	Total salt (mg/kg)	TFS (%)
Value	27,300.00	33,500.00	17,100.00							64.80
DL	100.00	100.00	100.00							0.01

B. PROCESS WASTEWATER ANALYSES

No process wastewater analyses entered.

C. FRESH WATER ANALYSES

MID Lateral 5

MID Latearl 5

Sample description: MID Latearl 5

Sample date: 07/25/2023 Source of analysis: Lab analysis

	Total N (mg/L)	NH4-N (mg/L)	Nitrate-N (mg/L)	Calcium (mg/L)	Magnesium (mg/L)	Sodium (mg/L)	Bicarbonate (mg/L)	Carbonate (mg/L)	Sulfate (mg/L)	Chloride (mg/L)	EC (µmhos/cm)	TDS (mg/L)
Value	0.00	0.00	0.00								38.10	37
DL	1.00	0.50	0.50								10.00	10

D. SOIL ANALYSES

No soil analyses entered.

E. PLANT TISSUE ANALYSES

No plant tissue analyses entered.

F. SUBSURFACE (TILE) DRAINAGE ANALYSES

No subsurface (tile) drainage analyses entered.

NUTRIENT APPLICATIONS, POTENTIAL REMOVAL, AND BALANCE

A. SUMMARY OF NUTRIENT APPLICATIONS, POTENTIAL REMOVAL, AND BALANCE

	Total N (lbs)	Total P (lbs)	Total K (lbs)	Total salt (lbs)
Existing soil nutrient content	0.00	0.00	0.00	0.00
Plowdown credit	0.00	0.00	0.00	0.00
Commercial fertilizer / Other	5,404.80	0.00	0.00	0.00
Dry manure	0.00	0.00	0.00	0.00
Process wastewater	0.00	0.00	0.00	0.00
Fresh water	0.00	0.00	0.00	45,599.19
Atmospheric deposition	1,750.00	0.00	0.00	0.00
Total nutrients applied	7,154.80	0.00	0.00	45,599.19
Anticipated crop nutrient removal	6,914.00	917.90	6,501.00	0.00
Actual crop nutrient removal	5,390.00	637.00	4,781.40	0.00
Nutrient balance	1,764.80	-637.00	-4,781.40	45,599.19
Applied to removed ratio	1.33	0.00	0.00	0.00

B. POUNDS OF NUTRIENT APPLIED VS. CROP REMOVAL

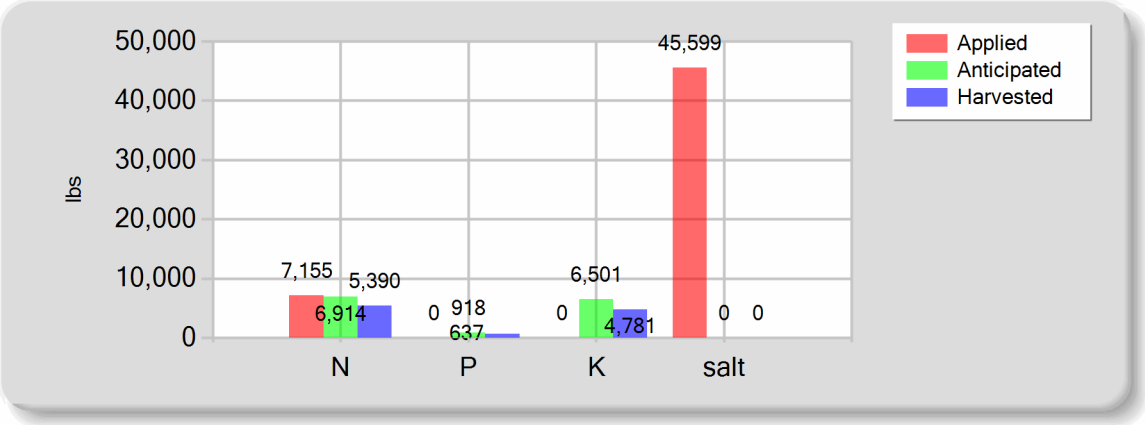

C. POUNDS OF NUTRIENT APPLIED BY MATERIAL TYPE

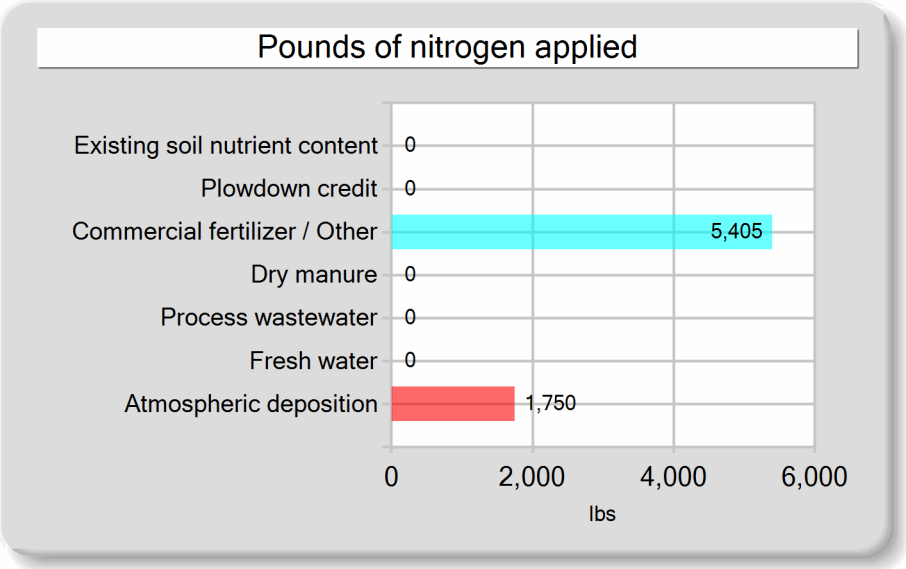

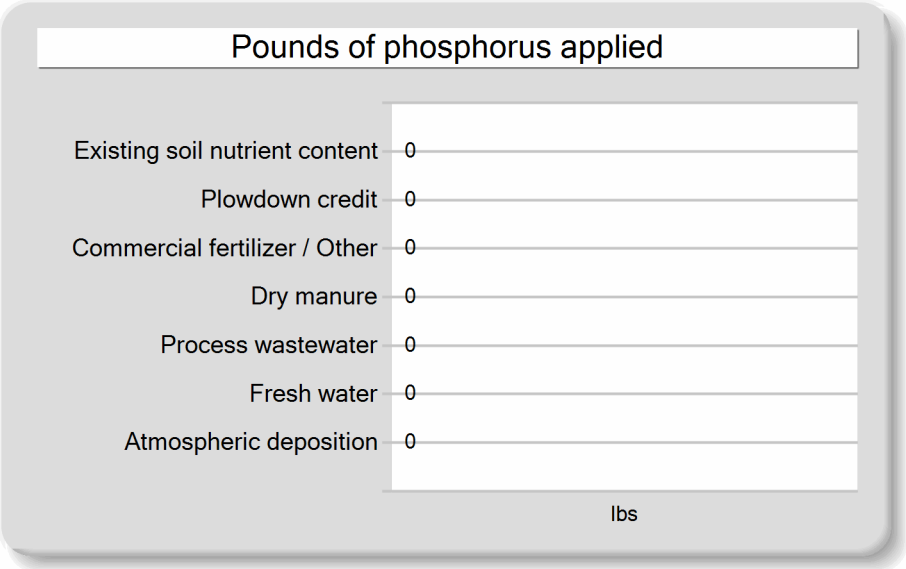

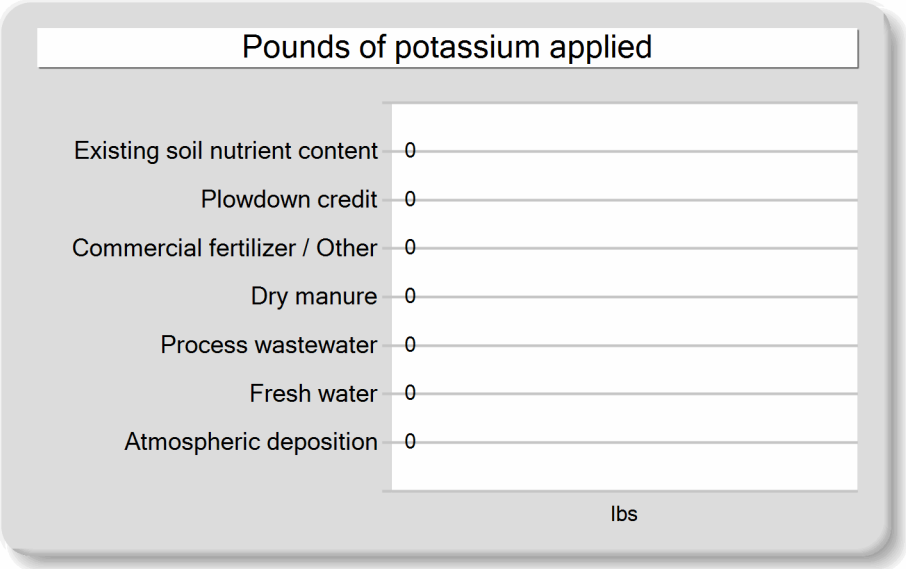

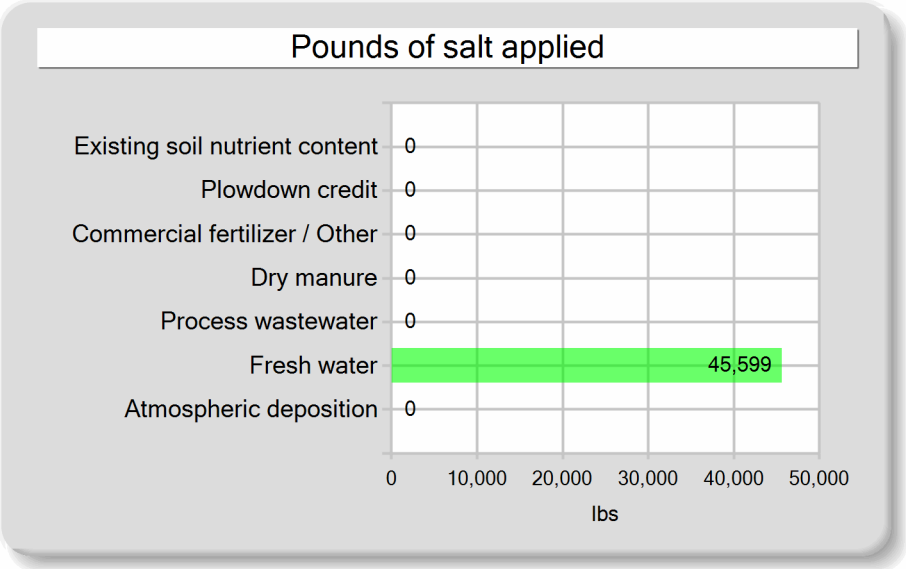

EXCEPTION REPORTING

A. MANURE, PROCESS WASTEWATER, AND OTHER DAIRY WASTE DISCHARGES

The following is a summary of all manure and process wastewater discharges from the production area to surface water or to land areas (land application areas or otherwise) when not in accordance with the facility's Nutrient Management Plan.

No manure or process wastewater discharges occurred during the reporting period.

B. STORM WATER DISCHARGES

The following is a summary of all storm water discharges from the production area to surface water during the reporting period when not in accordance with the facility 's Nutrient Management Plan.

No stormwater discharges occurred during the reporting period.

C. LAND APPLICATION AREA TO SURFACE WATER DISCHARGES

The following is a summary of all discharges from the land application area to surface water that have occurred during the reporting period when not in accordance with the facility's Nutrient Management Plan.

No land application area to surface water discharges occurred during the reporting period.

NUTRIENT MANAGEMENT PLAN AND EXPORT AGREEMENT STATEMENTS

A. NUTRIENT MANAGEMENT PLAN STATEMENTS

Was the facility's NMP updated in the reporting period?	No
Was the facility's NMP developed by a certified nutrient management planner (specialist) as specified in Attachment C of the General Order?	Yes
Was the facility's NMP approved by a certified nutrient management planner (specialist) as specified in Attachment C of the General Order?	Yes

B. EXPORT AGREEMENT STATEMENT

Are there any written agreements with third parties to receive manure or process wastewater that are new or were revised within the reporting period?	No

ADDITIONAL NOTES

A. NOTES

No animals were housed on the facility in 2023. The dairy continues to prepare to close the facility with the CVRWCQB.

Annual Report - General Order No. R5-2007-0035
Reporting period 01/01/2023 to 12/31/2023.

CERTIFICATION

A. OWNER AND/OR OPERATOR CERTIFICATION

I certify under penalty of law that I have personally examined and am familiar with the information submitted in this document and all attachments and that, based on my inquiry of those individuals immediately responsible for obtaining the information, I believe that the information is true, accurate, and complete. I am aware that there are significant penalties for submitting false information, including the possibility of fine and imprisonment.

Peder Hoy	Peter Hoy
SIGNATURE OF OWNER OF FACILITY	SIGNATURE OF OPERATOR OF FACILITY
Peder Hoy	Peter Hoy
PRINT OR TYPE NAME	PRINT OR TYPE NAME
6-5-24	6-5-24
DATE	DATE

ATTACHMENTS

A. REQUIRED ATTACHMENTS

The following lists the required documents that should be attached to the Annual Report when submitted .

Annual Dairy Facility Assessment
Provide an Annual Dairy Facility Assessment (an update to the Preliminary Dairy Facility Assessment in Attachment A) for each reporting period. On the PDFA Final page, click on the ADFA Report button to generate an ADFA report after updating information as needed .

Manure/Process Wastewater Tracking Manifests
Provide copies of all manure/process wastewater tracking manifests for the reporting period, signed by both the owner/operator and the hauler.

Corrective Actions Documents
Provide records documenting any corrective actions taken to correct deficiencies noted as a result of the inspections required in the Monitoring Requirements of the General Order. Deficiencies not corrected in 30 days must be accompanied by an explanation of the factors preventing immediate correction.

Groundwater Monitoring
Dischargers that monitor supply wells or subsurface (tile) drainage systems, or that have monitoring well systems must submit monitoring results as directed in the General Order, Groundwater Reporting Section starting on page MRP-13.

Storm Water Monitoring
Dischargers that are required to monitor storm water more frequently than required in the General Order must submit monitoring results as directed in the General Order, Storm Water Reporting Section on page MRP-14.

ATTACHMENT D

Manure/Process Wastewater Tracking Manifest
For
Existing Milk Cow Dairies

Instructions:

1) Complete one manifest for each hauling event, for each destination. A hauling event may last for several days, as long as the manure is being hauled to the same destination.
2) If there are multiple destinations, **complete a separate form for each destination.**
3) The operator must obtain the signature of the hauler upon completion of each manure-hauling event.
4) The operator shall submit copies of manure/process wastewater tracking manifest(s) with the Annual Monitoring Report for Existing Milk Cow Dairies.

Operator Information:

Name of Operator: PETER HOY

Name of Dairy Facility: PEDER HOY DAIRY

Facility Address: 6042 CALIFORNIA AVE. MODESTO 95358
Number and Street City Zip Code

Contact Person Name and Phone Number: PETER HOY 209-404-6142
Name Phone Number

Manure/Process Wastewater Hauler Information:

Name of Hauling Company/Person: AVILA SPREADING SERVICE

Address of Hauling Company /Person: P.O. BOX 580742 MODESTO 95358
Number and Street City Zip Code

Contact Person: LONNY AVILA 209-523-0266
Name Phone Number

Destination Information:

Composting Facility / Broker / Farmer / Other (identify) _____ (please circle one)

Contact information of Composting Facility, Broker, Farmer, or Other (as identified above):

HOY RANCH 6042 CALIFORNIA AVE MODESTO 95358 209-404-6142
Name Number and Street City Zip Code Phone Number

Manure/Process Wastewater Destination Address or Assessor's Parcel Number:

3307 YOUNG RD. MODESTO 95358
Number and Street City Zip Code Assessor's Parcel Number

Dates Hauled: 2/16/23

Amount Hauled:

Enter the amount of manure hauled in tons or cubic yards (indicate the units used), the manure solids content (if amount reported in tons) or manure density (if amount reported in cubic yards), and the method used to calculate the amount:

Manure: 690 Tons or Cubic Yards (indicate which units used)
Manure Solids Content (if amount reported in tons): 24.4 % MOISTURE
Manure Density (if amount reported in cubic yards): _____

Method used to determine amount of manure: _____

69 LOADS @ 10 TONS PER LOAD.

Enter the amount of process wastewater hauled in gallons and the method used to determine the amount.

Process Wastewater: _____ Gallons

Method used to determine volume of process wastewater: _____

_____

Written Agreement:
Does the Operator have a written agreement (in compliance with Land Application Specification C.2 of Waste Discharge Requirements General Order No. R5-2007-0035) with any party that receives process wastewater from the Operator for its own use? (please check one)

____ Yes _____ No

If the answer is no, the Operator agrees to have such a written agreement with any such party for any process wastewater transferred after **31 December 2007** to such party.
_____ (Operator shall provide initials here to acknowledge this requirement).

Certification:
I declare under the penalty of law that I personally examined and am familiar with the information submitted in this document, and that based on my inquiry of those individuals immediately responsible for obtaining the information, I believe that the information is true, accurate, and complete. I am aware that there are significant penalties for submitting false information, including the possibility of a fine and imprisonment for knowing violations.

Operator's Signature: Peter Hoy Date: 6-5-24

Hauler's Signature: _____ Date: _____

AVILA
PROFESSIONAL · RELIABLE · COURTEOUS
SPREADING SERVICE
P.O. Box 580742 Modesto, California 95358

Peter Hoy
6042 California Ave
Modesto, Ca. 95358

Date: 2-16-23
Terms: 10 Days
Fed ID: 77-0480211

Loads	Tons	Yards	Description	Cost
69	690	1380	Manure delivered to Young Rd ranch from dairy	$3,450.00
			Discount	-$276.00

Thank you!

Total: **$3,174.00**

ATTACHMENT D

Manure/Process Wastewater Tracking Manifest
For
Existing Milk Cow Dairies

Instructions:

1) Complete one manifest for each hauling event, for each destination. A hauling event may last for several days, as long as the manure is being hauled to the same destination.
2) If there are multiple destinations, **complete a separate form for each destination**.
3) The operator must obtain the signature of the hauler upon completion of each manure-hauling event.
4) The operator shall submit copies of manure/process wastewater tracking manifest(s) with the Annual Monitoring Report for Existing Milk Cow Dairies.

Operator Information:

Name of Operator: PETER HOY

Name of Dairy Facility: PEDER HOY DAIRY

Facility Address: 6042 CALIFORNIA AVE. MODESTO 95358
Number and Street City Zip Code

Contact Person Name and Phone Number: PETER HOY 209-404-6142
Name Phone Number

Manure/Process Wastewater Hauler Information:

Name of Hauling Company/Person: AVILA SPREADING SERVICE

Address of Hauling Company /Person: P.O. BOX 580742 MODESTO 95358
Number and Street City Zip Code

Contact Person: LONNY AVILA 209-523-0266
Name Phone Number

Destination Information:

Composting Facility / Broker / Farmer / Other (identify) _____ (please circle one)

Contact information of Composting Facility, Broker, Farmer, or Other (as identified above):

HOY RANCH 6042 CALIFORNIA AVE MODESTO 95358 209-404-6142
Name Number and Street City Zip Code Phone Number

Manure/Process Wastewater Destination Address or Assessor's Parcel Number:

3307 YOUNG RD. MODESTO 95358
Number and Street City Zip Code Assessor's Parcel Number

Dates Hauled: 11/27/23

Amount Hauled:

Enter the amount of manure hauled in tons or cubic yards (indicate the units used), the manure solids content (if amount reported in tons) or manure density (if amount reported in cubic yards), and the method used to calculate the amount:

Manure: 1700 Tons or Cubic Yards (indicate which units used)
Manure Solids Content (if amount reported in tons): 24 % MOISTURE
Manure Density (if amount reported in cubic yards): _____

Method used to determine amount of manure: _____

170 LOADS @ 10 TONS PER LOAD.

Enter the amount of process wastewater hauled in gallons and the method used to determine the amount.

Process Wastewater: _____ Gallons

Method used to determine volume of process wastewater: _____

_____

Written Agreement:
Does the Operator have a written agreement (in compliance with Land Application Specification C.2 of Waste Discharge Requirements General Order No. R5-2007-0035) with any party that receives process wastewater from the Operator for its own use? (please check one)

____ Yes _____ No

If the answer is no, the Operator agrees to have such a written agreement with any such party for any process wastewater transferred after **31 December 2007** to such party.
_____ (Operator shall provide initials here to acknowledge this requirement).

Certification:
I declare under the penalty of law that I personally examined and am familiar with the information submitted in this document, and that based on my inquiry of those individuals immediately responsible for obtaining the information, I believe that the information is true, accurate, and complete. I am aware that there are significant penalties for submitting false information, including the possibility of a fine and imprisonment for knowing violations.

Operator's Signature: Peter Hay Date: 6-5-24

Hauler's Signature: _____ Date: _____

AVILA

SPREADING SERVICE

P.O. Box 580742 Modesto, California 95358

Poter Hoy Dairy
6042 California Ave
Modesto, Ca. 95358

Date: 11-27-23
Terms: 10 Days
Fed ID: 77-0480211

Loads	Time	Yards	Description	Amount
170	1700	3400	Manure delivered to Young Rd ranch from dairy	$8,840.00

Past due after 10 days from date.

DENELE ANALYTICAL, INC.

865 S. KILROY
TURLOCK, CA 95380

PH# 209-634-9055 FAX# 209-634-9057

DAIRY COMPLIANCE

Client: PEDER HOY
Mailing address:
(not facility address) MODESTO CA
Phone#:

Authorized Copy Released To: FTR AG
Sampled By: SEAN
Project ID:

ANALYSIS TO BE COMPLETED:

IRRIGATION/GROUND WATER
- H1 EC*, NO3-N, NH4-N*
- H6 EC, TN, TDS
- H7 Combination of H1 & H6
- H14 EC, NO3-N, NH4-N, Ca, Mg, Na, Bicarb Carb, SO4, Cl, TDS

PROCESS WASTE WATER
- H3 EC*, NH4-N, TKN, TP, K, TDS
- H4 EC*, NO3-N, NH4-N, TKN, TP, K, TDS
- H5 Ca, Mg, Na, Bicarb, Carb, SO4, Cl
- H8 Combination of H3 &H5
- H9 Combination of H4 &H5

TILE DRAIN
- H2 EC*, NO3-N, TP, NH4-N*, TDS

** Required Field Measurement*

___ (Check here if performed)

DISCHARGE WATER
- E1 EC*, Temp*, pH*, NO3-N, NH4-N, TKN, TP, K, TDS, Dissolved Oxygen*, BOD 5, TSS, Total & Fecal Coliforms
- E2 EC,* Temp*, pH*, NO3-N, NH4-N*, Turbidity, TP, Dissolved Oxygen*, Total & Fecal Coliforms
- E3 EC*, Temp*, pH*, NO3-N, NH4-N*, TP, Total & Fecal Coliforms
- E4 EC*, Temp*, pH*, NO3-N, NH4-N*, Turbidity, TP, Total & Fecal Coliform

MANURE
- M1 % Moisture
- M3 TN TP, K, % Moisture
- M4 Ca, Mg, Na, Bicarb, Carb, SO4, Cl, Ash
- M7 Combination of M3 & M4

PLANT TISSUE
- F18 % Moisture, Ash, TN, P, K, DM and as received
- F18+ % Moisture, Ash, TN, P, K, DM and as received (Package also includes NIR DCAD)
- F19+ % Moisture, TN (Package includes complete plant tissue analysis)

SOIL
- K3 Soluble Phosphorus
- K4 1ft NO3, Organic Matter
- K5 Pre-Plant (2ft NO3), Fall (1-2ft NO3), Fall (2-3ft NO3)
- K6 0-1ft EC, NO3, Soluble P, K, Organic Matter
- K7 Combination of K3 & K4
- K8 Combination of K3 & K5

	Date Collected	Time Collected	Sample ID	Description	Temp	Well Purge	Analysis: H1	H3	M3	F18	OTHER
1	12/27/23	4:00	DW- MILK BARN	DOMESTIC	10.6°C		X				
2	|	4:05	DW- NEW WELL	|	10.6°C		X				
3	|	4:10	DW- WALNUTS	|	10.0°C		X				
4	|	4:15	DW- DADS		10.2°C		X				
5											
6											
7											
8											
9											
10											

CHAIN OF CUSTODY RECORDING

	Signature	Company	Received Date & Time	Relinquished Date & Time	Logged in By:	LABORATORY NUMBER (LABORATORY USE ONLY)
1st						
2nd		DENELE ANALYTICAL, INC.	12-28-23 9:00			T3362008

Required to be submitted to any agency? (YES / NO)

Denele Analytical, Inc.

865 South Kilroy Avenue Turlock, CA 95380
Phone (209) 634-9055 - Fax (209) 634-9057

www.denelelabs.com

40 N. East Street, Woodland, CA 95776
Phone (530) 666-9056 - Fax (530) 666-9058

Compliance Analysis Report

Customer
Peder Hoy Dairy
6042 California Ave.
Modesto, CA 95358

Grower

Consultant:
F & R Ag Services
2857 Geer Rd. Ste A
Turlock, CA 95382

PURCHASE ORDER:
RECEIVED DATE: 12/28/23 9:00 AM
SUBMITTED BY: Sean
ANALYZED DATE: 12/28/23

Irrigation/ Ground Water (H1)
SOURCE: Well Water

NOTES: Temperature was above qualifying at 10.6c

Sample ID	Lab ID	Analyte	Method Ref	Result	Units
DW-Milk Barn	T3362008A	Electrical Conductivity (EC)	EPA 120.1 and	0.603	mmhos/cm
		Nitrate Nitrogen (NO3-N)	EPA 353.2	6.83	mg/L
		Ammonia Nitrogen (NH3-N)	SM 4500-NH3 D,C	< 0.500	mg/L
		Soluble Salts (SALT-SOL)	Calculation	386	mg/L

Laboratory Quality Control	LCS %	MS %	MSD %	RPD %
Ammonia Nitrogen (NH3-N)	91.2	91.0 (T3362002A)	93.4 (T3362002A)	2.60
Electrical Conductivity (EC)	97.0			0.019
Nitrate Nitrogen (NO3-N)	100	155 (T3362002A)	150 (T3362002A)	3.10

The warranty of Denele Analytical is limited to the accuracy of the analyses of the samples as received. Denele Analytical assumes no responsibility for which the customer uses our test results, nor liability for any other warranties, express or implied. These terms and conditions shall supercede any conflicting terms and conditions submitted on customer purchase orders or other forms submitted for work.

ELAP Certificate No.: 2714

Denele Analytical, Inc.

865 South Kilroy Avenue Turlock, CA 95380
Phone (209) 634-9055 - Fax (209) 634-9057

www.denelelabs.com

40 N. East Street, Woodland, CA 95776
Phone (530) 666-9056 - Fax (530) 666-9058

Compliance Analysis Report

Customer
Peder Hoy Dairy
6042 California Ave.
Modesto, CA 95358

Grower

Consultant:
F & R Ag Services
2857 Geer Rd. Ste A
Turlock, CA 95382

PURCHASE ORDER:
RECEIVED DATE: 12/28/23 9:00 AM
SUBMITTED BY: Sean
ANALYZED DATE: 12/28/23

Irrigation/ Ground Water (H1)
SOURCE: Well Water

NOTES: Temperature was above qualifying at 10.6c

Sample ID	Lab ID	Analyte	Method Ref	Result	Units
DW-New Well	T3362008B	Electrical Conductivity (EC)	EPA 120.1 and	0.596	mmhos/cm
		Nitrate Nitrogen (NO3-N)	EPA 353.2	6.85	mg/L
		Ammonia Nitrogen (NH3-N)	SM 4500-NH3 D,C	< 0.500	mg/L
		Soluble Salts (SALT-SOL)	Calculation	381	mg/L

Laboratory Quality Control	LCS %	MS %	MSD %	RPD %
Ammonia Nitrogen (NH3-N)	91.2	91.0 (T3362002A)	93.4 (T3362002A)	2.60
Electrical Conductivity (EC)	97.0			0.019
Nitrate Nitrogen (NO3-N)	100	155 (T3362002A)	150 (T3362002A)	3.10

The warranty of Denele Analytical is limited to the accuracy of the analyses of the samples as received. Denele Analytical assumes no responsibility for which the customer uses our test results, nor liability for any other warranties, express or implied. These terms and conditions shall supercede any conflicting terms and conditions submitted on customer purchase orders or other forms submitted for work.

ELAP Certificate No.: 2714

Denele Analytical, Inc.

865 South Kilroy Avenue Turlock, CA 95380
Phone (209) 634-9055 - Fax (209) 634-9057

40 N. East Street, Woodland, CA 95776
Phone (530) 666-9056 - Fax (530) 666-9058

www.denelelabs.com

Compliance Analysis Report

Customer
Peder Hoy Dairy
6042 California Ave.
Modesto, CA 95358

Grower

Consultant:
F & R Ag Services
2857 Geer Rd. Ste A
Turlock, CA 95382

PURCHASE ORDER:
RECEIVED DATE: 12/28/23 9:00 AM
SUBMITTED BY: Sean
ANALYZED DATE: 12/28/23

Irrigation/ Ground Water (H1)
SOURCE: Well Water

NOTES: Temperature was above qualifying at 10.0c

Sample ID	Lab ID	Analyte	Method Ref	Result	Units
DW-Walnuts	T3362008C	Electrical Conductivity (EC)	EPA 120.1 and	1.19	mmhos/cm
		Nitrate Nitrogen (NO3-N)	EPA 353.2	33.0	mg/L
		Ammonia Nitrogen (NH3-N)	SM 4500-NH3 D,C	< 0.500	mg/L
		Soluble Salts (SALT-SOL)	Calculation	764	mg/L

Laboratory Quality Control	LCS %	MS %	MSD %	RPD %
Ammonia Nitrogen (NH3-N)	91.2	91.0 (T3362002A)	93.4 (T3362002A)	2.60
Electrical Conductivity (EC)	97.0			0.019
Nitrate Nitrogen (NO3-N)	100	155 (T3362002A)	150 (T3362002A)	3.10

The warranty of Denele Analytical is limited to the accuracy of the analyses of the samples as received. Denele Analytical assumes no responsibility for which the customer uses our test results, nor liability for any other warranties, express or implied. These terms and conditions shall supercede any conflicting terms and conditions submitted on customer purchase orders or other forms submitted for work.

Denele Analytical, Inc.

865 South Kilroy Avenue Turlock, CA 95380
Phone (209) 634-9055 - Fax (209) 634-9057

www.denelelabs.com

40 N. East Street, Woodland, CA 95776
Phone (530) 666-9056 - Fax (530) 666-9058

Compliance Analysis Report

Customer
Peder Hoy Dairy
6042 California Ave.
Modesto, CA 95358

Grower

Consultant:
F & R Ag Services
2857 Geer Rd. Ste A
Turlock, CA 95382

PURCHASE ORDER:
RECEIVED DATE: 12/28/23 9:00 AM
SUBMITTED BY: Sean
ANALYZED DATE: 12/28/23

Irrigation/ Ground Water (H1)
SOURCE: Well Water

NOTES: Temperature was above qualifying at 10.2c

Sample ID	Lab ID	Analyte	Method Ref	Result	Units
DW-Dads	T3362008D	Electrical Conductivity (EC)	EPA 120.1 and	1.18	mmhos/cm
		Nitrate Nitrogen (NO3-N)	EPA 353.2	12.6	mg/L
		Ammonia Nitrogen (NH3-N)	SM 4500-NH3 D,C	< 0.500	mg/L
		Soluble Salts (SALT-SOL)	Calculation	756	mg/L

Laboratory Quality Control	LCS %	MS %	MSD %	RPD %
Ammonia Nitrogen (NH3-N)	91.2	91.0 (T3362002A)	93.4 (T3362002A)	2.60
Electrical Conductivity (EC)	97.0			0.019
Nitrate Nitrogen (NO3-N)	100	155 (T3362002A)	150 (T3362002A)	3.10

The warranty of Denele Analytical is limited to the accuracy of the analyses of the samples as received. Denele Analytical assumes no responsibility for which the customer uses our test results, nor liability for any other warranties, express or implied. These terms and conditions shall supercede any conflicting terms and conditions submitted on customer purchase orders or other forms submitted for work.