Annual Report - General Order No. R5-2007-0035
Reporting period 01/01/2023 to 12/31/2023.

DAIRY FACILITY INFORMATION

A. NAME OF DAIRY OR BUSINESS OPERATING THE DAIRY: Ahlem Farms Vista

Physical address of dairy:

6401 Taylor RD	Denair	Stanislaus	95316
Number and Street	City	County	Zip Code

Street and nearest cross street (if no address):

Date facility was originally placed in operation: 01/01/1999

Regional Water Quality Control Board Basin Plan designation: San Joaquin River Basin

County Assessor Parcel Number(s) for dairy facility:

X019-X038-X005-XXXX X019-X038-X015-XXXX X019-X039-X022-XXXX

B. OPERATORS

Ahlem, Sabino Herrera

Operator name: Ahlem, Sabino Herrera Telephone no.: (209) 632-5822 (Landline) (Cellular)

24093 W American AVE	Hilmar	CA	95324
Mailing Address Number and Street	City	State	Zip Code

This operator is responsible for paying permit fees.

Herrera, Roger

Operator name: Herrera, Roger Telephone no.: (209) 632-5822 (Landline) (Cellular)

24093 W American AVE	Hilmar	CA	95324
Mailing Address Number and Street	City	State	Zip Code

C. OWNERS

Ahlem, Carolyn

Legal owner name: Ahlem, Carolyn Telephone no.: (209) 632-5822 (Landline) (Cellular)

24093 W American AVE	Hilmar	CA	95324
Mailing Address Number and Street	City	State	Zip Code

Ahlem, Sabino Herrera

Legal owner name:	Ahlem, Sabino Herrera	Telephone no.:	(209) 632-5822	
			Landline	Cellular
24093 W American AVE	Hilmar		CA	95324
Mailing Address Number and Street	City		State	Zip Code

This owner is responsible for paying permit fees.

Herrera, Roger

Legal owner name:	Herrera, Roger	Telephone no.:	(209) 632-5822	
			Landline	Cellular
24093 W American AVE	Hilmar		CA	95324
Mailing Address Number and Street	City		State	Zip Code

AVAILABLE NUTRIENTS

A. HERD INFORMATION

	Milk Cows	Dry Cows	Bred Heifers (15-24 mo.)	Heifers (7-14 mo. to breeding)	Calves (4-6 mo.)	Calves (0-3 mo.)
Number open confinement	0	0	0	760	305	0
Number under roof	2,500	343	920	0	0	0
Maximum number	2,500	343	920	760	305	0
Average number	2,500	343	920	760	305	0
Avg live weight (lbs)	950	1,000	650	400		

Predominant milk cow breed: Jersey

Average milk production: 55 *pounds per cow per day*

B. MANURE GENERATED

Total manure excreted by the herd: 80,156.37 *tons per reporting period*

Total nitrogen from manure: 1,018,523.00 *lbs per reporting period*

After ammonia losses (30% loss applied): 712,966.10 *lbs per reporting period*

Total phosphorus from manure: 167,709.94 *lbs per reporting period*

Total potassium from manure: 454,135.57 *lbs per reporting period*

Total salt from manure: 1,255,997.85 *lbs per reporting period*

C. PROCESS WASTEWATER GENERATED

Process wastewater generated: 34,956,000 *gallons*

Total nitrogen generated: 116,689.44 *lbs*

Total phosphorus generated: 23,772.20 *lbs*

Total potassium generated: 181,433.10 *lbs*

Total salt generated: 1,175,891.95 *lbs*

	34,956,000	*gallons applied*
+	0	*gallons exported*
-	0	*gallons imported*
=	34,956,000	*gallons generated*

D. FRESH WATER SOURCES

Source Description	Type
Canal	Surface water

E. SUBSURFACE (TILE) DRAINAGE SOURCES

No subsurface (tile) drainage sources entered.

F. NUTRIENT IMPORTS

No dry manure nutrient imports entered.

No process wastewater nutrient imports entered.

No commercial or other nutrient imports entered.

G. NUTRIENT EXPORTS

Date	Material type	Quantity	Reporting basis	Moisture (%)	Density (lbs/cu ft)	N (mg/kg)	P (mg/kg)	K (mg/kg)	Salt (mg/kg)	TFS (%)
05/14/2023	Corral solids	4,500.00 *ton*	Dry-weight	40.2		10,900.00	2,100.00	1,400.00		75.00
10/16/2023	Corral solids	6,000.00 *ton*	Dry-weight	34.2		15,500.00	3,500.00	8,200.00		60.70

No liquid nutrient exports entered.

Material type	Total N (lbs)	Total P (lbs)	Total K (lbs)	Total salt (lbs)
Dry manure	181,051.80	38,938.20	72,282.00	8,829,372.00
Process wastewater	0.00	0.00	0.00	0.00
Total exports for all materials	181,051.80	38,938.20	72,282.00	8,829,372.00

APPLICATION AREA

A. LIST OF LAND APPLICATION AREAS

Field name	Controlled acres	Cropable acres	Total harvests	Type of waste applied	Parcel number
Bettencourt	101	101	2	manure	X045-X400-X005-XXXX
Bills Field	28	28	2	process wastewater	X019-X038-X015-XXXX
Clark	23	23	2	process wastewater	X019-X039-X026-XXXX
Dairy West	12	12	2	process wastewater	X019-X038-X015-XXXX
Johnson	38	38	2	manure	X019-X040-X010-XXXX X019-X040-X015-XXXX
Silva North	50	50	2	process wastewater	X019-X039-X016-XXXX
Silva South	45	45	2	process wastewater	X019-X039-X022-XXXX
Taylor Triangle	14	14	2	process wastewater	X019-X039-X027-XXXX
Whitehouse North	24	24	2	process wastewater	X019-X039-X024-XXXX
Whitehouse South	11	11	2	process wastewater	X019-X039-X025-XXXX
Whitehouse West	34	34	2	process wastewater	X019-X039-X023-XXXX
Totals for areas that were used for application	380	380	22		
Totals for areas that were not used for application					
Land application area totals	380	380	22		

B. CROPS AND HARVESTS

Bettencourt

Field name: Bettencourt

10/27/2022: Oats, silage-soft dough

Crop: Oats, silage-soft dough Acres planted: 101 Plant date: 10/27/2022

Harvest date	Yield	Reporting basis	Density (lbs/cu ft)	Moisture (%)	N (mg/kg)	P (mg/kg)	K (mg/kg)	Salt (mg/kg)	TFS (%)
04/14/2023	1,339.79 *ton*	As-is		60.6	6,100.00	700.00	7,000.00		10.50

	Yield (tons/acre)	Total N (lbs/acre)	Total P (lbs/acre)	Total K (lbs/acre)	Salt (lbs/acre)
Anticipated harvest content	16.00	160.00	25.60	132.80	0.00
Total actual harvest content	13.27	161.84	18.57	185.71	1,097.57

Bettencourt

04/26/2023: Corn, silage

Crop: Corn, silage Acres planted: 101 Plant date: 04/26/2023

Harvest date	Yield	Reporting basis	Density (lbs/cu ft)	Moisture (%)	N (mg/kg)	P (mg/kg)	K (mg/kg)	Salt (mg/kg)	TFS (%)
08/16/2023	2,349.05 *ton*	As-is		67.8	4,800.00	400.00	4,600.00		6.00

	Yield (tons/acre)	Total N (lbs/acre)	Total P (lbs/acre)	Total K (lbs/acre)	Salt (lbs/acre)
Anticipated harvest content	30.00	240.00	45.00	198.00	0.00
Total actual harvest content	23.26	223.28	18.61	213.97	898.69

Bills Field

Field name: Bills Field

11/01/2022: Oats, silage-soft dough

Crop: Oats, silage-soft dough Acres planted: 28 Plant date: 11/01/2022

Harvest date	Yield	Reporting basis	Density (lbs/cu ft)	Moisture (%)	N (mg/kg)	P (mg/kg)	K (mg/kg)	Salt (mg/kg)	TFS (%)
05/01/2023	506.92 *ton*	As-is		70.0	5,800.00	600.00	5,600.00		8.30

	Yield (tons/acre)	Total N (lbs/acre)	Total P (lbs/acre)	Total K (lbs/acre)	Salt (lbs/acre)
Anticipated harvest content	16.00	160.00	25.60	132.80	0.00
Total actual harvest content	18.10	210.01	21.73	202.77	901.59

06/15/2023: Corn, silage

Crop: Corn, silage Acres planted: 28 Plant date: 06/15/2023

Harvest date	Yield	Reporting basis	Density (lbs/cu ft)	Moisture (%)	N (mg/kg)	P (mg/kg)	K (mg/kg)	Salt (mg/kg)	TFS (%)
10/04/2023	714.16 *ton*	As-is		68.8	4,400.00	400.00	5,200.00		5.70

	Yield (tons/acre)	Total N (lbs/acre)	Total P (lbs/acre)	Total K (lbs/acre)	Salt (lbs/acre)
Anticipated harvest content	30.00	240.00	45.00	198.00	0.00
Total actual harvest content	25.51	224.45	20.40	265.26	907.19

Clark

Field name: Clark

11/01/2022: Oats, silage-soft dough

Crop: Oats, silage-soft dough Acres planted: 23 Plant date: 11/01/2022

Harvest date	Yield	Reporting basis	Density (lbs/cu ft)	Moisture (%)	N (mg/kg)	P (mg/kg)	K (mg/kg)	Salt (mg/kg)	TFS (%)
05/01/2023	392.65 *ton*	As-is		68.8	5,400.00	700.00	6,100.00		10.30

	Yield (tons/acre)	Total N (lbs/acre)	Total P (lbs/acre)	Total K (lbs/acre)	Salt (lbs/acre)
Anticipated harvest content	16.00	160.00	16.00	132.80	0.00
Total actual harvest content	17.07	184.37	23.90	208.28	1,097.23

06/13/2023: Corn, silage

Crop: Corn, silage Acres planted: 23 Plant date: 06/13/2023

Harvest date	Yield	Reporting basis	Density (lbs/cu ft)	Moisture (%)	N (mg/kg)	P (mg/kg)	K (mg/kg)	Salt (mg/kg)	TFS (%)
10/04/2023	509.35 *ton*	As-is		68.8	4,400.00	400.00	5,200.00		5.70

	Yield (tons/acre)	Total N (lbs/acre)	Total P (lbs/acre)	Total K (lbs/acre)	Salt (lbs/acre)
Anticipated harvest content	30.00	240.00	45.00	198.00	0.00
Total actual harvest content	22.15	194.88	17.72	230.31	787.68

Dairy West

Field name: Dairy West

11/01/2022: Oats, silage-soft dough

Crop: Oats, silage-soft dough Acres planted: 12 Plant date: 11/01/2022

Harvest date	Yield	Reporting basis	Density (lbs/cu ft)	Moisture (%)	N (mg/kg)	P (mg/kg)	K (mg/kg)	Salt (mg/kg)	TFS (%)
05/01/2023	251.20 *ton*	As-is		75.0	4,800.00	500.00	4,600.00		8.30

	Yield (tons/acre)	Total N (lbs/acre)	Total P (lbs/acre)	Total K (lbs/acre)	Salt (lbs/acre)
Anticipated harvest content	16.00	160.00	25.60	132.80	0.00
Total actual harvest content	20.93	200.96	20.93	192.59	868.73

Dairy West

06/15/2023: Corn, silage

Crop: Corn, silage Acres planted: 12 Plant date: 06/15/2023

Harvest date	Yield	Reporting basis	Density (lbs/cu ft)	Moisture (%)	N (mg/kg)	P (mg/kg)	K (mg/kg)	Salt (mg/kg)	TFS (%)
10/04/2023	304.20 *ton*	As-is		68.8	4,400.00	400.00	5,200.00		5.70

	Yield (tons/acre)	Total N (lbs/acre)	Total P (lbs/acre)	Total K (lbs/acre)	Salt (lbs/acre)
Anticipated harvest content	30.00	240.00	45.00	198.00	0.00
Total actual harvest content	25.35	223.08	20.28	263.64	901.65

Johnson

Field name: Johnson

11/01/2022: Oats, silage-soft dough

Crop: Oats, silage-soft dough Acres planted: 38 Plant date: 11/01/2022

Harvest date	Yield	Reporting basis	Density (lbs/cu ft)	Moisture (%)	N (mg/kg)	P (mg/kg)	K (mg/kg)	Salt (mg/kg)	TFS (%)
05/11/2023	565.34 *ton*	As-is		73.4	5,100.00	900.00	8,000.00		10.80

	Yield (tons/acre)	Total N (lbs/acre)	Total P (lbs/acre)	Total K (lbs/acre)	Salt (lbs/acre)
Anticipated harvest content	16.00	160.00	25.60	132.80	0.00
Total actual harvest content	14.88	151.75	26.78	238.04	854.79

06/12/2023: Corn, silage

Crop: Corn, silage Acres planted: 38 Plant date: 06/12/2023

Harvest date	Yield	Reporting basis	Density (lbs/cu ft)	Moisture (%)	N (mg/kg)	P (mg/kg)	K (mg/kg)	Salt (mg/kg)	TFS (%)
10/03/2023	969.98 *ton*	As-is		68.6	4,100.00	500.00	4,500.00		5.50

	Yield (tons/acre)	Total N (lbs/acre)	Total P (lbs/acre)	Total K (lbs/acre)	Salt (lbs/acre)
Anticipated harvest content	30.00	240.00	45.00	198.00	0.00
Total actual harvest content	25.53	209.31	25.53	229.73	881.66

Silva North

Field name: Silva North

10/31/2022: Oats, silage-soft dough

Crop: Oats, silage-soft dough Acres planted: 50 Plant date: 10/31/2022

Harvest date	Yield	Reporting basis	Density (lbs/cu ft)	Moisture (%)	N (mg/kg)	P (mg/kg)	K (mg/kg)	Salt (mg/kg)	TFS (%)
05/11/2023	792.93 *ton*	As-is		67.2	5,400.00	600.00	6,800.00		10.90

	Yield (tons/acre)	Total N (lbs/acre)	Total P (lbs/acre)	Total K (lbs/acre)	Salt (lbs/acre)
Anticipated harvest content	16.00	160.00	25.60	132.80	0.00
Total actual harvest content	15.86	171.27	19.03	215.68	1,133.95

06/10/2023: Corn, silage

Crop: Corn, silage Acres planted: 50 Plant date: 06/10/2023

Harvest date	Yield	Reporting basis	Density (lbs/cu ft)	Moisture (%)	N (mg/kg)	P (mg/kg)	K (mg/kg)	Salt (mg/kg)	TFS (%)
10/03/2023	1,082.31 *ton*	As-is		67.8	4,800.00	400.00	4,600.00		6.00

	Yield (tons/acre)	Total N (lbs/acre)	Total P (lbs/acre)	Total K (lbs/acre)	Salt (lbs/acre)
Anticipated harvest content	30.00	240.00	45.00	198.00	0.00
Total actual harvest content	21.65	207.80	17.32	199.15	836.41

Silva South

Field name: Silva South

10/31/2022: Oats, silage-soft dough

Crop: Oats, silage-soft dough Acres planted: 45 Plant date: 10/31/2022

Harvest date	Yield	Reporting basis	Density (lbs/cu ft)	Moisture (%)	N (mg/kg)	P (mg/kg)	K (mg/kg)	Salt (mg/kg)	TFS (%)
05/01/2023	889.01 *ton*	As-is		75.0	4,700.00	700.00	8,000.00		11.00

	Yield (tons/acre)	Total N (lbs/acre)	Total P (lbs/acre)	Total K (lbs/acre)	Salt (lbs/acre)
Anticipated harvest content	16.00	160.00	25.60	132.80	0.00
Total actual harvest content	19.76	185.70	27.66	316.09	1,086.57

Silva South

06/14/2023: Corn, silage

Crop: Corn, silage Acres planted: 45 Plant date: 06/14/2023

Harvest date	Yield	Reporting basis	Density (lbs/cu ft)	Moisture (%)	N (mg/kg)	P (mg/kg)	K (mg/kg)	Salt (mg/kg)	TFS (%)
10/04/2023	1,094.92 *ton*	As-is		70.2	4,300.00	400.00	5,100.00		6.50

	Yield (tons/acre)	Total N (lbs/acre)	Total P (lbs/acre)	Total K (lbs/acre)	Salt (lbs/acre)
Anticipated harvest content	30.00	240.00	45.00	198.00	0.00
Total actual harvest content	24.33	209.25	19.47	248.18	942.60

Taylor Triangle

Field name: Taylor Triangle

11/01/2022: Oats, silage-soft dough

Crop: Oats, silage-soft dough Acres planted: 14 Plant date: 11/01/2022

Harvest date	Yield	Reporting basis	Density (lbs/cu ft)	Moisture (%)	N (mg/kg)	P (mg/kg)	K (mg/kg)	Salt (mg/kg)	TFS (%)
05/01/2023	255.60 *ton*	As-is		68.8	5,400.00	700.00	6,100.00		10.30

	Yield (tons/acre)	Total N (lbs/acre)	Total P (lbs/acre)	Total K (lbs/acre)	Salt (lbs/acre)
Anticipated harvest content	16.00	160.00	25.60	132.80	0.00
Total actual harvest content	18.26	197.18	25.56	222.74	1,173.42

06/13/2023: Corn, silage

Crop: Corn, silage Acres planted: 14 Plant date: 06/13/2023

Harvest date	Yield	Reporting basis	Density (lbs/cu ft)	Moisture (%)	N (mg/kg)	P (mg/kg)	K (mg/kg)	Salt (mg/kg)	TFS (%)
10/05/2023	319.13 *ton*	As-is		68.8	4,400.00	400.00	5,200.00		5.70

	Yield (tons/acre)	Total N (lbs/acre)	Total P (lbs/acre)	Total K (lbs/acre)	Salt (lbs/acre)
Anticipated harvest content	30.00	240.00	45.00	198.00	0.00
Total actual harvest content	22.80	200.60	18.24	237.07	810.77

Whitehouse North

Field name: Whitehouse North

10/31/2022: Oats, silage-soft dough

Crop: Oats, silage-soft dough Acres planted: 24 Plant date: 10/31/2022

Harvest date	Yield	Reporting basis	Density (lbs/cu ft)	Moisture (%)	N (mg/kg)	P (mg/kg)	K (mg/kg)	Salt (mg/kg)	TFS (%)
05/01/2023	437.44 *ton*	As-is		70.0	4,600.00	500.00	4,700.00		10.50

	Yield (tons/acre)	Total N (lbs/acre)	Total P (lbs/acre)	Total K (lbs/acre)	Salt (lbs/acre)
Anticipated harvest content	16.00	160.00	25.60	132.80	0.00
Total actual harvest content	18.23	167.69	18.23	171.33	1,148.28

06/10/2023: Corn, silage

Crop: Corn, silage Acres planted: 24 Plant date: 06/10/2023

Harvest date	Yield	Reporting basis	Density (lbs/cu ft)	Moisture (%)	N (mg/kg)	P (mg/kg)	K (mg/kg)	Salt (mg/kg)	TFS (%)
10/03/2023	518.28 *ton*	As-is		66.6	4,700.00	600.00	5,400.00		6.30

	Yield (tons/acre)	Total N (lbs/acre)	Total P (lbs/acre)	Total K (lbs/acre)	Salt (lbs/acre)
Anticipated harvest content	30.00	240.00	45.00	198.00	0.00
Total actual harvest content	21.60	202.99	25.91	233.23	908.80

Whitehouse South

Field name: Whitehouse South

10/31/2022: Oats, silage-soft dough

Crop: Oats, silage-soft dough Acres planted: 11 Plant date: 10/31/2022

Harvest date	Yield	Reporting basis	Density (lbs/cu ft)	Moisture (%)	N (mg/kg)	P (mg/kg)	K (mg/kg)	Salt (mg/kg)	TFS (%)
05/01/2023	216.99 *ton*	As-is		70.0	4,600.00	500.00	4,700.00		10.50

	Yield (tons/acre)	Total N (lbs/acre)	Total P (lbs/acre)	Total K (lbs/acre)	Salt (lbs/acre)
Anticipated harvest content	16.00	160.00	25.60	132.80	0.00
Total actual harvest content	19.73	181.48	19.73	185.43	1,242.76

Whitehouse South

06/11/2023: Corn, silage

Crop: Corn, silage Acres planted: 11 Plant date: 06/11/2023

Harvest date	Yield	Reporting basis	Density (lbs/cu ft)	Moisture (%)	N (mg/kg)	P (mg/kg)	K (mg/kg)	Salt (mg/kg)	TFS (%)
10/03/2023	241.73 *ton*	As-is		66.6	4,700.00	600.00	5,400.00		6.30

	Yield (tons/acre)	Total N (lbs/acre)	Total P (lbs/acre)	Total K (lbs/acre)	Salt (lbs/acre)
Anticipated harvest content	30.00	240.00	45.00	198.00	0.00
Total actual harvest content	21.98	206.57	26.37	237.33	924.82

Whitehouse West

Field name: Whitehouse West

10/31/2022: Oats, silage-soft dough

Crop: Oats, silage-soft dough Acres planted: 34 Plant date: 10/31/2022

Harvest date	Yield	Reporting basis	Density (lbs/cu ft)	Moisture (%)	N (mg/kg)	P (mg/kg)	K (mg/kg)	Salt (mg/kg)	TFS (%)
05/01/2023	597.41 *ton*	As-is		70.0	4,800.00	500.00	4,500.00		7.90

	Yield (tons/acre)	Total N (lbs/acre)	Total P (lbs/acre)	Total K (lbs/acre)	Salt (lbs/acre)
Anticipated harvest content	16.00	160.00	25.60	132.80	0.00
Total actual harvest content	17.57	168.68	17.57	158.14	832.86

06/12/2023: Corn, silage

Crop: Corn, silage Acres planted: 34 Plant date: 06/12/2023

Harvest date	Yield	Reporting basis	Density (lbs/cu ft)	Moisture (%)	N (mg/kg)	P (mg/kg)	K (mg/kg)	Salt (mg/kg)	TFS (%)
10/04/2023	788.94 *ton*	As-is		66.6	4,700.00	600.00	5,400.00		6.30

	Yield (tons/acre)	Total N (lbs/acre)	Total P (lbs/acre)	Total K (lbs/acre)	Salt (lbs/acre)
Anticipated harvest content	30.00	240.00	45.00	198.00	0.00
Total actual harvest content	23.20	218.12	27.84	250.60	976.52

NUTRIENT BUDGET

A. LAND APPLICATIONS

Bettencourt - 10/27/2022: Oats, silage-soft dough

Field name: Bettencourt

Crop: Oats, silage-soft dough — Plant date: 10/27/2022

Application date	Application method	Precipitation 24 hours prior	Precipitation during application	Precipitation 24 hours following
09/21/2022	Broadcast/incorporate	No precipitation	No precipitation	No precipitation

Source description	Material type	N (lbs/acre)	P (lbs/acre)	K (lbs/acre)	Salt (lbs/acre)	Amount
Solid Manure	Corral solids	205.05	68.35	131.51	4,897.03	707.00 *ton*
Application event totals		205.05	68.35	131.51	4,897.03	

Application date	Application method	Precipitation 24 hours prior	Precipitation during application	Precipitation 24 hours following
10/11/2022	Surface (irrigation)	No precipitation	No precipitation	No precipitation

Source description	Material type	N (lbs/acre)	P (lbs/acre)	K (lbs/acre)	Salt (lbs/acre)	Amount
Canal	Surface water	0.00	0.00	0.00	37.16	17,296,048.00 *gal*
Application event totals		0.00	0.00	0.00	37.16	

Bettencourt - 04/26/2023: Corn, silage

Field name: Bettencourt

Crop: Corn, silage — Plant date: 04/26/2023

Application date	Application method	Precipitation 24 hours prior	Precipitation during application	Precipitation 24 hours following
04/15/2023	Broadcast/incorporate	No precipitation	No precipitation	No precipitation

Source description	Material type	N (lbs/acre)	P (lbs/acre)	K (lbs/acre)	Salt (lbs/acre)	Amount
Solid Manure	Corral solids	260.73	50.23	33.49	17,940.00	2,020.00 *ton*
Application event totals		260.73	50.23	33.49	17,940.00	

Application date	Application method	Precipitation 24 hours prior	Precipitation during application	Precipitation 24 hours following
04/19/2023	Surface (irrigation)	No precipitation	No precipitation	No precipitation

Source description	Material type	N (lbs/acre)	P (lbs/acre)	K (lbs/acre)	Salt (lbs/acre)	Amount
Canal	Surface water	0.00	0.00	0.00	34.52	16,069,505.00 *gal*
Application event totals		0.00	0.00	0.00	34.52	

Bettencourt - 04/26/2023: Corn, silage

Application date	Application method	Precipitation 24 hours prior	Precipitation during application	Precipitation 24 hours following
05/24/2023	Surface (irrigation)	No precipitation	No precipitation	No precipitation

Source description	Material type	N (lbs/acre)	P (lbs/acre)	K (lbs/acre)	Salt (lbs/acre)	Amount
Canal	Surface water	0.00	0.00	0.00	28.75	13,382,502.00 *gal*
Application event totals		0.00	0.00	0.00	28.75	

Application date	Application method	Precipitation 24 hours prior	Precipitation during application	Precipitation 24 hours following
06/05/2023	Surface (irrigation)	No precipitation	No precipitation	No precipitation

Source description	Material type	N (lbs/acre)	P (lbs/acre)	K (lbs/acre)	Salt (lbs/acre)	Amount
Canal	Surface water	0.00	0.00	0.00	26.66	12,408,963.00 *gal*
Application event totals		0.00	0.00	0.00	26.66	

Application date	Application method	Precipitation 24 hours prior	Precipitation during application	Precipitation 24 hours following
06/17/2023	Surface (irrigation)	No precipitation	No precipitation	No precipitation

Source description	Material type	N (lbs/acre)	P (lbs/acre)	K (lbs/acre)	Salt (lbs/acre)	Amount
Canal	Surface water	0.00	0.00	0.00	24.32	11,319,577.00 *gal*
Application event totals		0.00	0.00	0.00	24.32	

Application date	Application method	Precipitation 24 hours prior	Precipitation during application	Precipitation 24 hours following
06/28/2023	Surface (irrigation)	No precipitation	No precipitation	No precipitation

Source description	Material type	N (lbs/acre)	P (lbs/acre)	K (lbs/acre)	Salt (lbs/acre)	Amount
Canal	Surface water	0.00	0.00	0.00	22.61	10,524,909.00 *gal*
Application event totals		0.00	0.00	0.00	22.61	

Application date	Application method	Precipitation 24 hours prior	Precipitation during application	Precipitation 24 hours following
07/05/2023	Surface (irrigation)	No precipitation	No precipitation	No precipitation

Source description	Material type	N (lbs/acre)	P (lbs/acre)	K (lbs/acre)	Salt (lbs/acre)	Amount
Canal	Surface water	0.00	0.00	0.00	21.95	10,216,455.00 *gal*
Application event totals		0.00	0.00	0.00	21.95	

Application date	Application method	Precipitation 24 hours prior	Precipitation during application	Precipitation 24 hours following
07/14/2023	Surface (irrigation)	No precipitation	No precipitation	No precipitation

Source description	Material type	N (lbs/acre)	P (lbs/acre)	K (lbs/acre)	Salt (lbs/acre)	Amount
Canal	Surface water	0.00	0.00	0.00	21.34	9,934,175.00 *gal*
Application event totals		0.00	0.00	0.00	21.34	

Bettencourt - 04/26/2023: Corn, silage

Application date	Application method	Precipitation 24 hours prior	Precipitation during application	Precipitation 24 hours following
07/24/2023	Surface (irrigation)	No precipitation	No precipitation	No precipitation

Source description	Material type	N (lbs/acre)	P (lbs/acre)	K (lbs/acre)	Salt (lbs/acre)	Amount
Canal	Surface water	0.00	0.00	0.00	21.95	10,216,713.00 *gal*
Application event totals		0.00	0.00	0.00	21.95	

Application date	Application method	Precipitation 24 hours prior	Precipitation during application	Precipitation 24 hours following
08/04/2023	Surface (irrigation)	No precipitation	No precipitation	No precipitation

Source description	Material type	N (lbs/acre)	P (lbs/acre)	K (lbs/acre)	Salt (lbs/acre)	Amount
Canal	Surface water	0.00	0.00	0.00	17.24	8,024,163.00 *gal*
Application event totals		0.00	0.00	0.00	17.24	

Bills Field - 11/01/2022: Oats, silage-soft dough

Field name: Bills Field

Crop: Oats, silage-soft dough

Plant date: 11/01/2022

Application date	Application method	Precipitation 24 hours prior	Precipitation during application	Precipitation 24 hours following
10/20/2022	Surface (irrigation)	No precipitation	No precipitation	No precipitation

Source description	Material type	N (lbs/acre)	P (lbs/acre)	K (lbs/acre)	Salt (lbs/acre)	Amount
WWS	Process wastewater	65.41	5.17	89.27	480.67	288,000.00 *gal*
Canal	Surface water	0.00	0.00	0.00	37.15	4,793,740.00 *gal*
Application event totals		65.41	5.17	89.27	517.82	

Application date	Application method	Precipitation 24 hours prior	Precipitation during application	Precipitation 24 hours following
01/12/2023	Surface (irrigation)	No precipitation	No precipitation	No precipitation

Source description	Material type	N (lbs/acre)	P (lbs/acre)	K (lbs/acre)	Salt (lbs/acre)	Amount
WWS	Process wastewater	57.23	4.52	78.11	420.59	252,000.00 *gal*
Application event totals		57.23	4.52	78.11	420.59	

Application date	Application method	Precipitation 24 hours prior	Precipitation during application	Precipitation 24 hours following
02/16/2023	Surface (irrigation)	No precipitation	No precipitation	No precipitation

Source description	Material type	N (lbs/acre)	P (lbs/acre)	K (lbs/acre)	Salt (lbs/acre)	Amount
WWS	Process wastewater	38.37	3.55	42.42	324.45	216,000.00 *gal*
Application event totals		38.37	3.55	42.42	324.45	

Bills Field - 11/01/2022: Oats, silage-soft dough

Application date	Application method	Precipitation 24 hours prior	Precipitation during application	Precipitation 24 hours following
03/04/2023	Surface (irrigation)	No precipitation	No precipitation	No precipitation

Source description	Material type	N (lbs/acre)	P (lbs/acre)	K (lbs/acre)	Salt (lbs/acre)	Amount
WWS	Process wastewater	28.78	2.67	31.82	243.34	162,000.00 *gal*
Application event totals		28.78	2.67	31.82	243.34	

Application date	Application method	Precipitation 24 hours prior	Precipitation during application	Precipitation 24 hours following
04/11/2023	Pipeline	No precipitation	No precipitation	No precipitation

Source description	Material type	N (lbs/acre)	P (lbs/acre)	K (lbs/acre)	Salt (lbs/acre)	Amount
WWS	Process wastewater	27.38	7.56	47.38	314.15	288,000.00 *gal*
Canal	Surface water	0.00	0.00	0.00	28.33	3,656,492.00 *gal*
Application event totals		27.38	7.56	47.38	342.49	

Bills Field - 06/15/2023: Corn, silage

Field name: Bills Field

Crop: Corn, silage

Plant date: 06/15/2023

Application date	Application method	Precipitation 24 hours prior	Precipitation during application	Precipitation 24 hours following
05/27/2023	Surface (irrigation)	No precipitation	No precipitation	No precipitation

Source description	Material type	N (lbs/acre)	P (lbs/acre)	K (lbs/acre)	Salt (lbs/acre)	Amount
WWS	Process wastewater	54.76	15.12	94.76	628.31	576,000.00 *gal*
Canal	Surface water	0.00	0.00	0.00	35.78	4,617,340.00 *gal*
Application event totals		54.76	15.12	94.76	664.09	

Application date	Application method	Precipitation 24 hours prior	Precipitation during application	Precipitation 24 hours following
06/24/2023	Surface (irrigation)	No precipitation	No precipitation	No precipitation

Source description	Material type	N (lbs/acre)	P (lbs/acre)	K (lbs/acre)	Salt (lbs/acre)	Amount
WWS	Process wastewater	65.03	17.96	112.53	746.11	684,000.00 *gal*
Canal	Surface water	0.00	0.00	0.00	32.61	4,208,036.00 *gal*
Application event totals		65.03	17.96	112.53	778.72	

Bills Field - 06/15/2023: Corn, silage

Application date	Application method	Precipitation 24 hours prior	Precipitation during application	Precipitation 24 hours following
07/20/2023	Surface (irrigation)	No precipitation	No precipitation	No precipitation

Source description	Material type	N (lbs/acre)	P (lbs/acre)	K (lbs/acre)	Salt (lbs/acre)	Amount
WWS	Process wastewater	42.78	11.82	74.03	490.86	450,000.00 *gal*
Canal	Surface water	0.00	0.00	0.00	31.01	4,001,368.00 *gal*
Application event totals		42.78	11.82	74.03	521.87	

Application date	Application method	Precipitation 24 hours prior	Precipitation during application	Precipitation 24 hours following
08/02/2023	Surface (irrigation)	No precipitation	No precipitation	No precipitation

Source description	Material type	N (lbs/acre)	P (lbs/acre)	K (lbs/acre)	Salt (lbs/acre)	Amount
WWS	Process wastewater	47.92	13.23	82.92	549.77	504,000.00 *gal*
Canal	Surface water	0.00	0.00	0.00	28.64	3,696,056.00 *gal*
Application event totals		47.92	13.23	82.92	578.41	

Application date	Application method	Precipitation 24 hours prior	Precipitation during application	Precipitation 24 hours following
08/13/2023	Surface (irrigation)	No precipitation	No precipitation	No precipitation

Source description	Material type	N (lbs/acre)	P (lbs/acre)	K (lbs/acre)	Salt (lbs/acre)	Amount
WWS	Process wastewater	37.65	10.40	65.15	431.96	396,000.00 *gal*
Canal	Surface water	0.00	0.00	0.00	27.59	3,560,200.00 *gal*
Application event totals		37.65	10.40	65.15	459.55	

Application date	Application method	Precipitation 24 hours prior	Precipitation during application	Precipitation 24 hours following
08/26/2023	Surface (irrigation)	No precipitation	No precipitation	No precipitation

Source description	Material type	N (lbs/acre)	P (lbs/acre)	K (lbs/acre)	Salt (lbs/acre)	Amount
WWS	Process wastewater	27.38	7.56	47.38	314.15	288,000.00 *gal*
Canal	Surface water	0.00	0.00	0.00	26.27	3,390,660.00 *gal*
Application event totals		27.38	7.56	47.38	340.43	

Application date	Application method	Precipitation 24 hours prior	Precipitation during application	Precipitation 24 hours following
09/05/2023	Surface (irrigation)	No precipitation	No precipitation	No precipitation

Source description	Material type	N (lbs/acre)	P (lbs/acre)	K (lbs/acre)	Salt (lbs/acre)	Amount
Canal	Surface water	0.00	0.00	0.00	24.39	3,147,612.00 *gal*
Application event totals		0.00	0.00	0.00	24.39	

Clark - 11/01/2022: Oats, silage-soft dough

Clark - 11/01/2022: Oats, silage-soft dough

Field name: Clark

Crop: Oats, silage-soft dough

Plant date: 11/01/2022

Application date	Application method	Precipitation 24 hours prior	Precipitation during application	Precipitation 24 hours following
10/21/2022	Surface (irrigation)	No precipitation	No precipitation	No precipitation

Source description	Material type	N (lbs/acre)	P (lbs/acre)	K (lbs/acre)	Salt (lbs/acre)	Amount
Canal	Surface water	0.00	0.00	0.00	37.15	3,938,106.00 *gal*
Application event totals		0.00	0.00	0.00	37.15	

Application date	Application method	Precipitation 24 hours prior	Precipitation during application	Precipitation 24 hours following
11/24/2022	Surface (irrigation)	No precipitation	No precipitation	No precipitation

Source description	Material type	N (lbs/acre)	P (lbs/acre)	K (lbs/acre)	Salt (lbs/acre)	Amount
WWS	Process wastewater	79.62	6.29	108.67	585.17	288,000.00 *gal*
Application event totals		79.62	6.29	108.67	585.17	

Application date	Application method	Precipitation 24 hours prior	Precipitation during application	Precipitation 24 hours following
01/29/2023	Surface (irrigation)	No precipitation	No precipitation	No precipitation

Source description	Material type	N (lbs/acre)	P (lbs/acre)	K (lbs/acre)	Salt (lbs/acre)	Amount
WWS	Process wastewater	50.60	4.69	55.95	427.90	234,000.00 *gal*
Application event totals		50.60	4.69	55.95	427.90	

Application date	Application method	Precipitation 24 hours prior	Precipitation during application	Precipitation 24 hours following
02/27/2023	Surface (irrigation)	No precipitation	No precipitation	No precipitation

Source description	Material type	N (lbs/acre)	P (lbs/acre)	K (lbs/acre)	Salt (lbs/acre)	Amount
WWS	Process wastewater	38.92	3.61	43.04	329.16	180,000.00 *gal*
Application event totals		38.92	3.61	43.04	329.16	

Application date	Application method	Precipitation 24 hours prior	Precipitation during application	Precipitation 24 hours following
04/13/2023	Surface (irrigation)	No precipitation	No precipitation	No precipitation

Source description	Material type	N (lbs/acre)	P (lbs/acre)	K (lbs/acre)	Salt (lbs/acre)	Amount
WWS	Process wastewater	25.00	6.90	43.26	286.84	216,000.00 *gal*
Canal	Surface water	0.00	0.00	0.00	26.88	2,849,194.00 *gal*
Application event totals		25.00	6.90	43.26	313.71	

Clark - 06/13/2023: Corn, silage

Clark - 06/13/2023: Corn, silage

Field name: Clark

Crop: Corn, silage

Plant date: 06/13/2023

Application date	Application method	Precipitation 24 hours prior	Precipitation during application	Precipitation 24 hours following
05/27/2023	Surface (irrigation)	No precipitation	No precipitation	No precipitation

Source description	Material type	N (lbs/acre)	P (lbs/acre)	K (lbs/acre)	Salt (lbs/acre)	Amount
WWS	Process wastewater	45.83	12.66	79.31	525.87	396,000.00 *gal*
Canal	Surface water	0.00	0.00	0.00	35.38	3,750,357.00 *gal*
Application event totals		45.83	12.66	79.31	561.24	

Application date	Application method	Precipitation 24 hours prior	Precipitation during application	Precipitation 24 hours following
06/25/2023	Surface (irrigation)	No precipitation	No precipitation	No precipitation

Source description	Material type	N (lbs/acre)	P (lbs/acre)	K (lbs/acre)	Salt (lbs/acre)	Amount
WWS	Process wastewater	43.75	12.08	75.71	501.96	378,000.00 *gal*
Canal	Surface water	0.00	0.00	0.00	33.03	3,501,198.00 *gal*
Application event totals		43.75	12.08	75.71	534.99	

Application date	Application method	Precipitation 24 hours prior	Precipitation during application	Precipitation 24 hours following
07/20/2023	Surface (irrigation)	No precipitation	No precipitation	No precipitation

Source description	Material type	N (lbs/acre)	P (lbs/acre)	K (lbs/acre)	Salt (lbs/acre)	Amount
WWS	Process wastewater	41.67	11.51	72.10	478.06	360,000.00 *gal*
Canal	Surface water	0.00	0.00	0.00	31.03	3,289,161.00 *gal*
Application event totals		41.67	11.51	72.10	509.09	

Application date	Application method	Precipitation 24 hours prior	Precipitation during application	Precipitation 24 hours following
08/02/2023	Surface (irrigation)	No precipitation	No precipitation	No precipitation

Source description	Material type	N (lbs/acre)	P (lbs/acre)	K (lbs/acre)	Salt (lbs/acre)	Amount
WWS	Process wastewater	50.00	13.81	86.52	573.67	432,000.00 *gal*
Canal	Surface water	0.00	0.00	0.00	29.27	3,103,045.00 *gal*
Application event totals		50.00	13.81	86.52	602.94	

Application date	Application method	Precipitation 24 hours prior	Precipitation during application	Precipitation 24 hours following
08/13/2023	Surface (irrigation)	No precipitation	No precipitation	No precipitation

Source description	Material type	N (lbs/acre)	P (lbs/acre)	K (lbs/acre)	Salt (lbs/acre)	Amount
WWS	Process wastewater	33.33	9.21	57.68	382.45	288,000.00 *gal*
Canal	Surface water	0.00	0.00	0.00	27.45	2,910,075.00 *gal*
Application event totals		33.33	9.21	57.68	409.90	

Clark - 06/13/2023: Corn, silage

Application date	Application method	Precipitation 24 hours prior	Precipitation during application	Precipitation 24 hours following
08/26/2023	Surface (irrigation)	No precipitation	No precipitation	No precipitation

Source description	Material type	N (lbs/acre)	P (lbs/acre)	K (lbs/acre)	Salt (lbs/acre)	Amount
WWS	Process wastewater	33.33	9.21	57.68	382.45	288,000.00 *gal*
Canal	Surface water	0.00	0.00	0.00	26.42	2,800,825.00 *gal*
Application event totals		33.33	9.21	57.68	408.87	

Application date	Application method	Precipitation 24 hours prior	Precipitation during application	Precipitation 24 hours following
09/06/2023	Surface (irrigation)	No precipitation	No precipitation	No precipitation

Source description	Material type	N (lbs/acre)	P (lbs/acre)	K (lbs/acre)	Salt (lbs/acre)	Amount
WWS	Process wastewater	29.17	8.06	50.47	334.64	252,000.00 *gal*
Canal	Surface water	0.00	0.00	0.00	23.74	2,516,713.00 *gal*
Application event totals		29.17	8.06	50.47	358.38	

Dairy West - 11/01/2022: Oats, silage-soft dough

Field name: Dairy West

Crop: Oats, silage-soft dough

Plant date: 11/01/2022

Application date	Application method	Precipitation 24 hours prior	Precipitation during application	Precipitation 24 hours following
10/20/2022	Pipeline	No precipitation	No precipitation	No precipitation

Source description	Material type	N (lbs/acre)	P (lbs/acre)	K (lbs/acre)	Salt (lbs/acre)	Amount
WWS	Process wastewater	66.77	5.27	91.13	490.69	126,000.00 *gal*
Canal	Surface water	0.00	0.00	0.00	33.44	1,849,416.00 *gal*
Application event totals		66.77	5.27	91.13	524.12	

Application date	Application method	Precipitation 24 hours prior	Precipitation during application	Precipitation 24 hours following
12/31/2022	Surface (irrigation)	No precipitation	No precipitation	No precipitation

Source description	Material type	N (lbs/acre)	P (lbs/acre)	K (lbs/acre)	Salt (lbs/acre)	Amount
WWS	Process wastewater	28.62	2.26	39.05	210.29	54,000.00 *gal*
Application event totals		28.62	2.26	39.05	210.29	

Dairy West - 11/01/2022: Oats, silage-soft dough

Application date	Application method	Precipitation 24 hours prior	Precipitation during application	Precipitation 24 hours following
01/29/2023	Surface (irrigation)	No precipitation	No precipitation	No precipitation

Source description	Material type	N (lbs/acre)	P (lbs/acre)	K (lbs/acre)	Salt (lbs/acre)	Amount
WWS	Process wastewater	59.68	5.53	65.99	504.71	144,000.00 *gal*
Application event totals		59.68	5.53	65.99	504.71	

Application date	Application method	Precipitation 24 hours prior	Precipitation during application	Precipitation 24 hours following
02/27/2023	Surface (irrigation)	No precipitation	No precipitation	No precipitation

Source description	Material type	N (lbs/acre)	P (lbs/acre)	K (lbs/acre)	Salt (lbs/acre)	Amount
WWS	Process wastewater	37.30	3.45	41.25	315.44	90,000.00 *gal*
Application event totals		37.30	3.45	41.25	315.44	

Application date	Application method	Precipitation 24 hours prior	Precipitation during application	Precipitation 24 hours following
04/13/2023	Surface (irrigation)	No precipitation	No precipitation	No precipitation

Source description	Material type	N (lbs/acre)	P (lbs/acre)	K (lbs/acre)	Salt (lbs/acre)	Amount
WWS	Process wastewater	15.97	4.41	27.64	183.26	72,000.00 *gal*
Canal	Surface water	0.00	0.00	0.00	27.35	1,512,384.00 *gal*
Application event totals		15.97	4.41	27.64	210.60	

Dairy West - 06/15/2023: Corn, silage

Field name: Dairy West

Crop: Corn, silage

Plant date: 06/15/2023

Application date	Application method	Precipitation 24 hours prior	Precipitation during application	Precipitation 24 hours following
05/29/2023	Surface (irrigation)	No precipitation	No precipitation	No precipitation

Source description	Material type	N (lbs/acre)	P (lbs/acre)	K (lbs/acre)	Salt (lbs/acre)	Amount
WWS	Process wastewater	43.92	12.13	76.01	503.95	198,000.00 *gal*
Canal	Surface water	0.00	0.00	0.00	36.35	2,010,600.00 *gal*
Application event totals		43.92	12.13	76.01	540.31	

Dairy West - 06/15/2023: Corn, silage

Application date	Application method	Precipitation 24 hours prior	Precipitation during application	Precipitation 24 hours following
06/27/2023	Surface (irrigation)	No precipitation	No precipitation	No precipitation

Source description	Material type	N (lbs/acre)	P (lbs/acre)	K (lbs/acre)	Salt (lbs/acre)	Amount
WWS	Process wastewater	27.95	7.72	48.37	320.70	126,000.00 *gal*
Canal	Surface water	0.00	0.00	0.00	32.78	1,813,056.00 *gal*
Application event totals		27.95	7.72	48.37	353.48	

Application date	Application method	Precipitation 24 hours prior	Precipitation during application	Precipitation 24 hours following
07/21/2023	Surface (irrigation)	No precipitation	No precipitation	No precipitation

Source description	Material type	N (lbs/acre)	P (lbs/acre)	K (lbs/acre)	Salt (lbs/acre)	Amount
WWS	Process wastewater	51.91	14.34	89.83	595.58	234,000.00 *gal*
Canal	Surface water	0.00	0.00	0.00	31.23	1,727,460.00 *gal*
Application event totals		51.91	14.34	89.83	626.82	

Application date	Application method	Precipitation 24 hours prior	Precipitation during application	Precipitation 24 hours following
07/28/2023	Surface (irrigation)	No precipitation	No precipitation	No precipitation

Source description	Material type	N (lbs/acre)	P (lbs/acre)	K (lbs/acre)	Salt (lbs/acre)	Amount
WWS	Process wastewater	47.92	13.23	82.92	549.77	216,000.00 *gal*
Canal	Surface water	0.00	0.00	0.00	28.37	1,569,300.00 *gal*
Application event totals		47.92	13.23	82.92	578.14	

Application date	Application method	Precipitation 24 hours prior	Precipitation during application	Precipitation 24 hours following
08/11/2023	Surface (irrigation)	No precipitation	No precipitation	No precipitation

Source description	Material type	N (lbs/acre)	P (lbs/acre)	K (lbs/acre)	Salt (lbs/acre)	Amount
WWS	Process wastewater	27.95	7.72	48.37	320.70	126,000.00 *gal*
Canal	Surface water	0.00	0.00	0.00	27.45	1,518,156.00 *gal*
Application event totals		27.95	7.72	48.37	348.15	

Application date	Application method	Precipitation 24 hours prior	Precipitation during application	Precipitation 24 hours following
08/23/2023	Surface (irrigation)	No precipitation	No precipitation	No precipitation

Source description	Material type	N (lbs/acre)	P (lbs/acre)	K (lbs/acre)	Salt (lbs/acre)	Amount
WWS	Process wastewater	31.94	8.82	55.28	366.51	144,000.00 *gal*
Canal	Surface water	0.00	0.00	0.00	26.57	1,469,460.00 *gal*
Application event totals		31.94	8.82	55.28	393.08	

Dairy West - 06/15/2023: Corn, silage

Application date	Application method	Precipitation 24 hours prior	Precipitation during application	Precipitation 24 hours following
09/04/2023	Surface (irrigation)	No precipitation	No precipitation	No precipitation

Source description	Material type	N (lbs/acre)	P (lbs/acre)	K (lbs/acre)	Salt (lbs/acre)	Amount
WWS	Process wastewater	39.93	11.03	69.10	458.14	180,000.00 *gal*
Canal	Surface water	0.00	0.00	0.00	22.03	1,218,416.00 *gal*
Application event totals		39.93	11.03	69.10	480.17	

Application date	Application method	Precipitation 24 hours prior	Precipitation during application	Precipitation 24 hours following
09/13/2023	Surface (irrigation)	No precipitation	No precipitation	No precipitation

Source description	Material type	N (lbs/acre)	P (lbs/acre)	K (lbs/acre)	Salt (lbs/acre)	Amount
Canal	Surface water	0.00	0.00	0.00	20.56	1,137,216.00 *gal*
Application event totals		0.00	0.00	0.00	20.56	

Johnson - 11/01/2022: Oats, silage-soft dough

Field name: Johnson

Crop: Oats, silage-soft dough

Plant date: 11/01/2022

Application date	Application method	Precipitation 24 hours prior	Precipitation during application	Precipitation 24 hours following
09/20/2022	Broadcast/incorporate	No precipitation	No precipitation	No precipitation

Source description	Material type	N (lbs/acre)	P (lbs/acre)	K (lbs/acre)	Salt (lbs/acre)	Amount
Solid Manure	Corral solids	205.05	68.35	131.51	4,897.03	266.00 *ton*
Application event totals		205.05	68.35	131.51	4,897.03	

Application date	Application method	Precipitation 24 hours prior	Precipitation during application	Precipitation 24 hours following
10/19/2022	Surface (irrigation)	No precipitation	No precipitation	No precipitation

Source description	Material type	N (lbs/acre)	P (lbs/acre)	K (lbs/acre)	Salt (lbs/acre)	Amount
Canal	Surface water	0.00	0.00	0.00	35.18	6,161,890.00 *gal*
Application event totals		0.00	0.00	0.00	35.18	

Application date	Application method	Precipitation 24 hours prior	Precipitation during application	Precipitation 24 hours following
04/18/2023	Surface (irrigation)	No precipitation	No precipitation	No precipitation

Source description	Material type	N (lbs/acre)	P (lbs/acre)	K (lbs/acre)	Salt (lbs/acre)	Amount
Canal	Surface water	0.00	0.00	0.00	26.93	4,716,674.00 *gal*
Application event totals		0.00	0.00	0.00	26.93	

Johnson - 06/12/2023: Corn, silage

Field name: Johnson

Crop: Corn, silage

Plant date: 06/12/2023

Application date	Application method	Precipitation 24 hours prior	Precipitation during application	Precipitation 24 hours following
05/13/2023	Broadcast/incorporate	No precipitation	No precipitation	No precipitation

Source description	Material type	N (lbs/acre)	P (lbs/acre)	K (lbs/acre)	Salt (lbs/acre)	Amount
Solid Manure	Corral solids	260.73	50.23	33.49	17,940.00	760.00 *ton*
Application event totals		260.73	50.23	33.49	17,940.00	

Application date	Application method	Precipitation 24 hours prior	Precipitation during application	Precipitation 24 hours following
05/28/2023	Surface (irrigation)	No precipitation	No precipitation	No precipitation

Source description	Material type	N (lbs/acre)	P (lbs/acre)	K (lbs/acre)	Salt (lbs/acre)	Amount
Canal	Surface water	0.00	0.00	0.00	34.84	6,102,230.00 *gal*
Application event totals		0.00	0.00	0.00	34.84	

Application date	Application method	Precipitation 24 hours prior	Precipitation during application	Precipitation 24 hours following
06/22/2023	Surface (irrigation)	No precipitation	No precipitation	No precipitation

Source description	Material type	N (lbs/acre)	P (lbs/acre)	K (lbs/acre)	Salt (lbs/acre)	Amount
Canal	Surface water	0.00	0.00	0.00	32.32	5,660,100.00 *gal*
Application event totals		0.00	0.00	0.00	32.32	

Application date	Application method	Precipitation 24 hours prior	Precipitation during application	Precipitation 24 hours following
07/18/2023	Surface (irrigation)	No precipitation	No precipitation	No precipitation

Source description	Material type	N (lbs/acre)	P (lbs/acre)	K (lbs/acre)	Salt (lbs/acre)	Amount
Canal	Surface water	0.00	0.00	0.00	28.64	5,015,430.00 *gal*
Application event totals		0.00	0.00	0.00	28.64	

Application date	Application method	Precipitation 24 hours prior	Precipitation during application	Precipitation 24 hours following
07/31/2023	Surface (irrigation)	No precipitation	No precipitation	No precipitation

Source description	Material type	N (lbs/acre)	P (lbs/acre)	K (lbs/acre)	Salt (lbs/acre)	Amount
Canal	Surface water	0.00	0.00	0.00	26.88	4,707,250.00 *gal*
Application event totals		0.00	0.00	0.00	26.88	

Johnson - 06/12/2023: Corn, silage

Application date	Application method	Precipitation 24 hours prior	Precipitation during application	Precipitation 24 hours following
08/11/2023	Surface (irrigation)	No precipitation	No precipitation	No precipitation

Source description	Material type	N (lbs/acre)	P (lbs/acre)	K (lbs/acre)	Salt (lbs/acre)	Amount
Canal	Surface water	0.00	0.00	0.00	26.27	4,601,382.00 *gal*
Application event totals		0.00	0.00	0.00	26.27	

Application date	Application method	Precipitation 24 hours prior	Precipitation during application	Precipitation 24 hours following
08/24/2023	Surface (irrigation)	No precipitation	No precipitation	No precipitation

Source description	Material type	N (lbs/acre)	P (lbs/acre)	K (lbs/acre)	Salt (lbs/acre)	Amount
Canal	Surface water	0.00	0.00	0.00	26.01	4,554,566.00 *gal*
Application event totals		0.00	0.00	0.00	26.01	

Application date	Application method	Precipitation 24 hours prior	Precipitation during application	Precipitation 24 hours following
09/04/2023	Surface (irrigation)	No precipitation	No precipitation	No precipitation

Source description	Material type	N (lbs/acre)	P (lbs/acre)	K (lbs/acre)	Salt (lbs/acre)	Amount
Canal	Surface water	0.00	0.00	0.00	23.08	4,042,918.00 *gal*
Application event totals		0.00	0.00	0.00	23.08	

Application date	Application method	Precipitation 24 hours prior	Precipitation during application	Precipitation 24 hours following
09/13/2023	Surface (irrigation)	No precipitation	No precipitation	No precipitation

Source description	Material type	N (lbs/acre)	P (lbs/acre)	K (lbs/acre)	Salt (lbs/acre)	Amount
Canal	Surface water	0.00	0.00	0.00	23.92	4,189,760.00 *gal*
Application event totals		0.00	0.00	0.00	23.92	

Silva North - 10/31/2022: Oats, silage-soft dough

Field name: Silva North

Crop: Oats, silage-soft dough

Plant date: 10/31/2022

Application date	Application method	Precipitation 24 hours prior	Precipitation during application	Precipitation 24 hours following
10/15/2022	Surface (irrigation)	No precipitation	No precipitation	No precipitation

Source description	Material type	N (lbs/acre)	P (lbs/acre)	K (lbs/acre)	Salt (lbs/acre)	Amount
WWS	Process wastewater	73.25	5.79	99.98	538.35	576,000.00 *gal*
Canal	Surface water	0.00	0.00	0.00	37.36	8,609,750.00 *gal*
Application event totals		73.25	5.79	99.98	575.71	

Silva North - 10/31/2022: Oats, silage-soft dough

Application date	Application method	Precipitation 24 hours prior	Precipitation during application	Precipitation 24 hours following
12/09/2022	Surface (irrigation)	No precipitation	No precipitation	No precipitation

Source description	Material type	N (lbs/acre)	P (lbs/acre)	K (lbs/acre)	Salt (lbs/acre)	Amount
WWS	Process wastewater	50.36	3.98	68.74	370.12	396,000.00 *gal*
Application event totals		50.36	3.98	68.74	370.12	

Application date	Application method	Precipitation 24 hours prior	Precipitation during application	Precipitation 24 hours following
01/30/2023	Surface (irrigation)	No precipitation	No precipitation	No precipitation

Source description	Material type	N (lbs/acre)	P (lbs/acre)	K (lbs/acre)	Salt (lbs/acre)	Amount
WWS	Process wastewater	42.97	3.98	47.51	363.39	432,000.00 *gal*
Application event totals		42.97	3.98	47.51	363.39	

Application date	Application method	Precipitation 24 hours prior	Precipitation during application	Precipitation 24 hours following
02/21/2023	Surface (irrigation)	No precipitation	No precipitation	No precipitation

Source description	Material type	N (lbs/acre)	P (lbs/acre)	K (lbs/acre)	Salt (lbs/acre)	Amount
WWS	Process wastewater	30.44	2.82	33.66	257.40	306,000.00 *gal*
Application event totals		30.44	2.82	33.66	257.40	

Application date	Application method	Precipitation 24 hours prior	Precipitation during application	Precipitation 24 hours following
03/29/2023	Surface (irrigation)	No precipitation	No precipitation	No precipitation

Source description	Material type	N (lbs/acre)	P (lbs/acre)	K (lbs/acre)	Salt (lbs/acre)	Amount
WWS	Process wastewater	19.17	5.29	33.17	219.91	360,000.00 *gal*
Canal	Surface water	0.00	0.00	0.00	26.94	6,207,950.00 *gal*
Application event totals		19.17	5.29	33.17	246.85	

Silva North - 06/10/2023: Corn, silage

Field name: Silva North

Crop: Corn, silage

Plant date: 06/10/2023

Application date	Application method	Precipitation 24 hours prior	Precipitation during application	Precipitation 24 hours following

Silva North - 06/10/2023: Corn, silage

Application date	Application method	Precipitation 24 hours prior	Precipitation during application	Precipitation 24 hours following
05/26/2023	Pipeline	No precipitation	No precipitation	No precipitation

Source description	Material type	N (lbs/acre)	P (lbs/acre)	K (lbs/acre)	Salt (lbs/acre)	Amount
WWS	Process wastewater	59.42	16.41	102.82	681.71	1,116,000.00 *gal*
Canal	Surface water	0.00	0.00	0.00	35.62	8,207,600.00 *gal*
Application event totals		59.42	16.41	102.82	717.33	

06/23/2023	Surface (irrigation)	No precipitation	No precipitation	No precipitation

Source description	Material type	N (lbs/acre)	P (lbs/acre)	K (lbs/acre)	Salt (lbs/acre)	Amount
WWS	Process wastewater	41.21	11.38	71.31	472.80	774,000.00 *gal*
Canal	Surface water	0.00	0.00	0.00	33.22	7,654,400.00 *gal*
Application event totals		41.21	11.38	71.31	506.02	

07/06/2023	Surface (irrigation)	No precipitation	No precipitation	No precipitation

Source description	Material type	N (lbs/acre)	P (lbs/acre)	K (lbs/acre)	Salt (lbs/acre)	Amount
WWS	Process wastewater	24.92	6.88	43.12	285.88	468,000.00 *gal*
Canal	Surface water	0.00	0.00	0.00	27.31	6,293,750.00 *gal*
Application event totals		24.92	6.88	43.12	313.19	

07/15/2023	Surface (irrigation)	No precipitation	No precipitation	No precipitation

Source description	Material type	N (lbs/acre)	P (lbs/acre)	K (lbs/acre)	Salt (lbs/acre)	Amount
WWS	Process wastewater	20.13	5.56	34.82	230.90	378,000.00 *gal*
Canal	Surface water	0.00	0.00	0.00	24.75	5,703,750.00 *gal*
Application event totals		20.13	5.56	34.82	255.65	

07/26/2023	Surface (irrigation)	No precipitation	No precipitation	No precipitation

Source description	Material type	N (lbs/acre)	P (lbs/acre)	K (lbs/acre)	Salt (lbs/acre)	Amount
WWS	Process wastewater	23.00	6.35	39.80	263.89	432,000.00 *gal*
Canal	Surface water	0.00	0.00	0.00	22.97	5,294,250.00 *gal*
Application event totals		23.00	6.35	39.80	286.86	

Silva North - 06/10/2023: Corn, silage

Application date	Application method	Precipitation 24 hours prior	Precipitation during application	Precipitation 24 hours following
08/09/2023	Surface (irrigation)	No precipitation	No precipitation	No precipitation

Source description	Material type	N (lbs/acre)	P (lbs/acre)	K (lbs/acre)	Salt (lbs/acre)	Amount
WWS	Process wastewater	46.00	12.70	79.60	527.78	864,000.00 *gal*
Canal	Surface water	0.00	0.00	0.00	21.28	4,903,750.00 *gal*
Application event totals		46.00	12.70	79.60	549.06	

Application date	Application method	Precipitation 24 hours prior	Precipitation during application	Precipitation 24 hours following
08/21/2023	Surface (irrigation)	No precipitation	No precipitation	No precipitation

Source description	Material type	N (lbs/acre)	P (lbs/acre)	K (lbs/acre)	Salt (lbs/acre)	Amount
WWS	Process wastewater	76.67	21.17	132.67	879.63	1,440,000.00 *gal*
Canal	Surface water	0.00	0.00	0.00	18.99	4,375,600.00 *gal*
Application event totals		76.67	21.17	132.67	898.62	

Application date	Application method	Precipitation 24 hours prior	Precipitation during application	Precipitation 24 hours following
09/02/2023	Surface (irrigation)	No precipitation	No precipitation	No precipitation

Source description	Material type	N (lbs/acre)	P (lbs/acre)	K (lbs/acre)	Salt (lbs/acre)	Amount
Canal	Surface water	0.00	0.00	0.00	17.96	4,138,750.00 *gal*
Application event totals		0.00	0.00	0.00	17.96	

Application date	Application method	Precipitation 24 hours prior	Precipitation during application	Precipitation 24 hours following
09/11/2023	Surface (irrigation)	No precipitation	No precipitation	No precipitation

Source description	Material type	N (lbs/acre)	P (lbs/acre)	K (lbs/acre)	Salt (lbs/acre)	Amount
Canal	Surface water	0.00	0.00	0.00	17.09	3,937,900.00 *gal*
Application event totals		0.00	0.00	0.00	17.09	

Silva South - 10/31/2022: Oats, silage-soft dough

Field name: Silva South

Crop: Oats, silage-soft dough

Plant date: 10/31/2022

Application date	Application method	Precipitation 24 hours prior	Precipitation during application	Precipitation 24 hours following

Silva South - 10/31/2022: Oats, silage-soft dough

Application date	Application method	Precipitation 24 hours prior	Precipitation during application	Precipitation 24 hours following
10/15/2022	Surface (irrigation)	No precipitation	No precipitation	No precipitation

Source description	Material type	N (lbs/acre)	P (lbs/acre)	K (lbs/acre)	Salt (lbs/acre)	Amount
WWS	Process wastewater	58.50	4.62	79.84	429.93	414,000.00 *gal*
Canal	Surface water	0.00	0.00	0.00	36.66	7,603,155.00 *gal*
Application event totals		58.50	4.62	79.84	466.59	

12/10/2022	Surface (irrigation)	No precipitation	No precipitation	No precipitation

Source description	Material type	N (lbs/acre)	P (lbs/acre)	K (lbs/acre)	Salt (lbs/acre)	Amount
WWS	Process wastewater	40.70	3.22	55.54	299.08	288,000.00 *gal*
Application event totals		40.70	3.22	55.54	299.08	

01/31/2023	Surface (irrigation)	No precipitation	No precipitation	No precipitation

Source description	Material type	N (lbs/acre)	P (lbs/acre)	K (lbs/acre)	Salt (lbs/acre)	Amount
WWS	Process wastewater	29.84	2.76	33.00	252.35	270,000.00 *gal*
Application event totals		29.84	2.76	33.00	252.35	

02/22/2023	Surface (irrigation)	No precipitation	No precipitation	No precipitation

Source description	Material type	N (lbs/acre)	P (lbs/acre)	K (lbs/acre)	Salt (lbs/acre)	Amount
WWS	Process wastewater	39.79	3.69	43.99	336.47	360,000.00 *gal*
Application event totals		39.79	3.69	43.99	336.47	

03/27/2023	Surface (irrigation)	No precipitation	No precipitation	No precipitation

Source description	Material type	N (lbs/acre)	P (lbs/acre)	K (lbs/acre)	Salt (lbs/acre)	Amount
WWS	Process wastewater	22.36	6.18	38.69	256.56	378,000.00 *gal*
Canal	Surface water	0.00	0.00	0.00	27.13	5,627,610.00 *gal*
Application event totals		22.36	6.18	38.69	283.69	

Silva South - 06/14/2023: Corn, silage

Field name: Silva South

Crop: Corn, silage

Plant date: 06/14/2023

Silva South - 06/14/2023: Corn, silage

Application date	Application method	Precipitation 24 hours prior	Precipitation during application	Precipitation 24 hours following
05/28/2023	Surface (irrigation)	No precipitation	No precipitation	No precipitation

Source description	Material type	N (lbs/acre)	P (lbs/acre)	K (lbs/acre)	Salt (lbs/acre)	Amount
WWS	Process wastewater	41.53	11.47	71.86	476.47	702,000.00 *gal*
Canal	Surface water	0.00	0.00	0.00	35.62	7,386,840.00 *gal*
Application event totals		41.53	11.47	71.86	512.08	

Application date	Application method	Precipitation 24 hours prior	Precipitation during application	Precipitation 24 hours following
06/24/2023	Surface (irrigation)	No precipitation	No precipitation	No precipitation

Source description	Material type	N (lbs/acre)	P (lbs/acre)	K (lbs/acre)	Salt (lbs/acre)	Amount
WWS	Process wastewater	42.59	11.76	73.70	488.68	720,000.00 *gal*
Canal	Surface water	0.00	0.00	0.00	33.22	6,888,960.00 *gal*
Application event totals		42.59	11.76	73.70	521.90	

Application date	Application method	Precipitation 24 hours prior	Precipitation during application	Precipitation 24 hours following
07/09/2023	Surface (irrigation)	No precipitation	No precipitation	No precipitation

Source description	Material type	N (lbs/acre)	P (lbs/acre)	K (lbs/acre)	Salt (lbs/acre)	Amount
WWS	Process wastewater	44.72	12.35	77.39	513.12	756,000.00 *gal*
Canal	Surface water	0.00	0.00	0.00	26.83	5,564,375.00 *gal*
Application event totals		44.72	12.35	77.39	539.95	

Application date	Application method	Precipitation 24 hours prior	Precipitation during application	Precipitation 24 hours following
07/16/2023	Surface (irrigation)	No precipitation	No precipitation	No precipitation

Source description	Material type	N (lbs/acre)	P (lbs/acre)	K (lbs/acre)	Salt (lbs/acre)	Amount
WWS	Process wastewater	34.07	9.41	58.96	390.95	576,000.00 *gal*
Canal	Surface water	0.00	0.00	0.00	24.27	5,033,375.00 *gal*
Application event totals		34.07	9.41	58.96	415.22	

Application date	Application method	Precipitation 24 hours prior	Precipitation during application	Precipitation 24 hours following
07/27/2023	Surface (irrigation)	No precipitation	No precipitation	No precipitation

Source description	Material type	N (lbs/acre)	P (lbs/acre)	K (lbs/acre)	Salt (lbs/acre)	Amount
WWS	Process wastewater	31.94	8.82	55.28	366.51	540,000.00 *gal*
Canal	Surface water	0.00	0.00	0.00	22.49	4,664,825.00 *gal*
Application event totals		31.94	8.82	55.28	389.00	

Silva South - 06/14/2023: Corn, silage

Application date	Application method	Precipitation 24 hours prior	Precipitation during application	Precipitation 24 hours following
08/10/2023	Surface (irrigation)	No precipitation	No precipitation	No precipitation

Source description	Material type	N (lbs/acre)	P (lbs/acre)	K (lbs/acre)	Salt (lbs/acre)	Amount
WWS	Process wastewater	46.85	12.94	81.07	537.55	792,000.00 *gal*
Canal	Surface water	0.00	0.00	0.00	20.80	4,313,375.00 *gal*
Application event totals		46.85	12.94	81.07	558.35	

Application date	Application method	Precipitation 24 hours prior	Precipitation during application	Precipitation 24 hours following
08/22/2023	Surface (irrigation)	No precipitation	No precipitation	No precipitation

Source description	Material type	N (lbs/acre)	P (lbs/acre)	K (lbs/acre)	Salt (lbs/acre)	Amount
WWS	Process wastewater	40.46	11.17	70.02	464.25	684,000.00 *gal*
Canal	Surface water	0.00	0.00	0.00	23.33	4,838,040.00 *gal*
Application event totals		40.46	11.17	70.02	487.58	

Application date	Application method	Precipitation 24 hours prior	Precipitation during application	Precipitation 24 hours following
09/03/2023	Surface (irrigation)	No precipitation	No precipitation	No precipitation

Source description	Material type	N (lbs/acre)	P (lbs/acre)	K (lbs/acre)	Salt (lbs/acre)	Amount
Canal	Surface water	0.00	0.00	0.00	17.48	3,624,875.00 *gal*
Application event totals		0.00	0.00	0.00	17.48	

Application date	Application method	Precipitation 24 hours prior	Precipitation during application	Precipitation 24 hours following
09/12/2023	Surface (irrigation)	No precipitation	No precipitation	No precipitation

Source description	Material type	N (lbs/acre)	P (lbs/acre)	K (lbs/acre)	Salt (lbs/acre)	Amount
Canal	Surface water	0.00	0.00	0.00	16.61	3,444,110.00 *gal*
Application event totals		0.00	0.00	0.00	16.61	

Taylor Triangle - 11/01/2022: Oats, silage-soft dough

Field name: Taylor Triangle

Crop: Oats, silage-soft dough

Plant date: 11/01/2022

Application date	Application method	Precipitation 24 hours prior	Precipitation during application	Precipitation 24 hours following

Taylor Triangle - 11/01/2022: Oats, silage-soft dough

Application date	Application method	Precipitation 24 hours prior	Precipitation during application	Precipitation 24 hours following
10/21/2022	Surface (irrigation)	No precipitation	No precipitation	No precipitation

Source description	Material type	N (lbs/acre)	P (lbs/acre)	K (lbs/acre)	Salt (lbs/acre)	Amount
WWS	Process wastewater	81.76	6.46	111.58	600.84	180,000.00 *gal*
Canal	Surface water	0.00	0.00	0.00	37.38	2,412,200.00 *gal*
Application event totals		81.76	6.46	111.58	638.22	

Application date	Application method	Precipitation 24 hours prior	Precipitation during application	Precipitation 24 hours following
01/18/2023	Surface (irrigation)	No precipitation	No precipitation	No precipitation

Source description	Material type	N (lbs/acre)	P (lbs/acre)	K (lbs/acre)	Salt (lbs/acre)	Amount
WWS	Process wastewater	49.05	3.88	66.95	360.50	108,000.00 *gal*
Application event totals		49.05	3.88	66.95	360.50	

Application date	Application method	Precipitation 24 hours prior	Precipitation during application	Precipitation 24 hours following
02/11/2023	Surface (irrigation)	No precipitation	No precipitation	No precipitation

Source description	Material type	N (lbs/acre)	P (lbs/acre)	K (lbs/acre)	Salt (lbs/acre)	Amount
WWS	Process wastewater	25.58	2.37	28.28	216.30	72,000.00 *gal*
Application event totals		25.58	2.37	28.28	216.30	

Application date	Application method	Precipitation 24 hours prior	Precipitation during application	Precipitation 24 hours following
03/20/2023	Surface (irrigation)	No precipitation	No precipitation	No precipitation

Source description	Material type	N (lbs/acre)	P (lbs/acre)	K (lbs/acre)	Salt (lbs/acre)	Amount
WWS	Process wastewater	12.79	1.18	14.14	108.15	36,000.00 *gal*
Application event totals		12.79	1.18	14.14	108.15	

Application date	Application method	Precipitation 24 hours prior	Precipitation during application	Precipitation 24 hours following
04/14/2023	Surface (irrigation)	No precipitation	No precipitation	No precipitation

Source description	Material type	N (lbs/acre)	P (lbs/acre)	K (lbs/acre)	Salt (lbs/acre)	Amount
WWS	Process wastewater	30.80	8.51	53.30	353.42	162,000.00 *gal*
Canal	Surface water	0.00	0.00	0.00	26.70	1,722,700.00 *gal*
Application event totals		30.80	8.51	53.30	380.12	

Taylor Triangle - 06/13/2023: Corn, silage

Field name: Taylor Triangle

Crop: Corn, silage

Plant date: 06/13/2023

Taylor Triangle - 06/13/2023: Corn, silage

Application date	Application method	Precipitation 24 hours prior	Precipitation during application	Precipitation 24 hours following
05/27/2023	Surface (irrigation)	No precipitation	No precipitation	No precipitation

Source description	Material type	N (lbs/acre)	P (lbs/acre)	K (lbs/acre)	Salt (lbs/acre)	Amount
WWS	Process wastewater	68.45	18.91	118.45	785.38	360,000.00 *gal*
Canal	Surface water	0.00	0.00	0.00	36.09	2,328,550.00 *gal*
Application event totals		68.45	18.91	118.45	821.47	

Application date	Application method	Precipitation 24 hours prior	Precipitation during application	Precipitation 24 hours following
06/25/2023	Surface (irrigation)	No precipitation	No precipitation	No precipitation

Source description	Material type	N (lbs/acre)	P (lbs/acre)	K (lbs/acre)	Salt (lbs/acre)	Amount
WWS	Process wastewater	51.34	14.18	88.84	589.04	270,000.00 *gal*
Canal	Surface water	0.00	0.00	0.00	33.21	2,143,050.00 *gal*
Application event totals		51.34	14.18	88.84	622.25	

Application date	Application method	Precipitation 24 hours prior	Precipitation during application	Precipitation 24 hours following
07/20/2023	Surface (irrigation)	No precipitation	No precipitation	No precipitation

Source description	Material type	N (lbs/acre)	P (lbs/acre)	K (lbs/acre)	Salt (lbs/acre)	Amount
WWS	Process wastewater	27.38	7.56	47.38	314.15	144,000.00 *gal*
Canal	Surface water	0.00	0.00	0.00	31.67	2,043,426.00 *gal*
Application event totals		27.38	7.56	47.38	345.82	

Application date	Application method	Precipitation 24 hours prior	Precipitation during application	Precipitation 24 hours following
08/02/2023	Surface (irrigation)	No precipitation	No precipitation	No precipitation

Source description	Material type	N (lbs/acre)	P (lbs/acre)	K (lbs/acre)	Salt (lbs/acre)	Amount
WWS	Process wastewater	27.38	7.56	47.38	314.15	144,000.00 *gal*
Canal	Surface water	0.00	0.00	0.00	28.48	1,837,724.00 *gal*
Application event totals		27.38	7.56	47.38	342.63	

Application date	Application method	Precipitation 24 hours prior	Precipitation during application	Precipitation 24 hours following
08/13/2023	Surface (irrigation)	No precipitation	No precipitation	No precipitation

Source description	Material type	N (lbs/acre)	P (lbs/acre)	K (lbs/acre)	Salt (lbs/acre)	Amount
WWS	Process wastewater	23.96	6.62	41.46	274.88	126,000.00 *gal*
Canal	Surface water	0.00	0.00	0.00	27.65	1,783,810.00 *gal*
Application event totals		23.96	6.62	41.46	302.53	

Taylor Triangle - 06/13/2023: Corn, silage

Application date	Application method	Precipitation 24 hours prior	Precipitation during application	Precipitation 24 hours following
08/26/2023	Surface (irrigation)	No precipitation	No precipitation	No precipitation

Source description	Material type	N (lbs/acre)	P (lbs/acre)	K (lbs/acre)	Salt (lbs/acre)	Amount
WWS	Process wastewater	47.92	13.23	82.92	549.77	252,000.00 *gal*
Canal	Surface water	0.00	0.00	0.00	26.85	1,732,255.00 *gal*
Application event totals		47.92	13.23	82.92	576.61	

Application date	Application method	Precipitation 24 hours prior	Precipitation during application	Precipitation 24 hours following
09/06/2023	Surface (irrigation)	No precipitation	No precipitation	No precipitation

Source description	Material type	N (lbs/acre)	P (lbs/acre)	K (lbs/acre)	Salt (lbs/acre)	Amount
WWS	Process wastewater	27.38	7.56	47.38	314.15	144,000.00 *gal*
Canal	Surface water	0.00	0.00	0.00	25.21	1,626,416.00 *gal*
Application event totals		27.38	7.56	47.38	339.36	

Whitehouse North - 10/31/2022: Oats, silage-soft dough

Field name: Whitehouse North

Crop: Oats, silage-soft dough

Plant date: 10/31/2022

Application date	Application method	Precipitation 24 hours prior	Precipitation during application	Precipitation 24 hours following
10/18/2022	Surface (irrigation)	No precipitation	No precipitation	No precipitation

Source description	Material type	N (lbs/acre)	P (lbs/acre)	K (lbs/acre)	Salt (lbs/acre)	Amount
WWS	Process wastewater	76.31	6.03	104.15	560.78	288,000.00 *gal*
Canal	Surface water	0.00	0.00	0.00	37.16	4,110,192.00 *gal*
Application event totals		76.31	6.03	104.15	597.94	

Application date	Application method	Precipitation 24 hours prior	Precipitation during application	Precipitation 24 hours following
12/21/2022	Surface (irrigation)	No precipitation	No precipitation	No precipitation

Source description	Material type	N (lbs/acre)	P (lbs/acre)	K (lbs/acre)	Salt (lbs/acre)	Amount
WWS	Process wastewater	47.69	3.77	65.09	350.49	180,000.00 *gal*
Application event totals		47.69	3.77	65.09	350.49	

Whitehouse North - 10/31/2022: Oats, silage-soft dough

Application date	Application method	Precipitation 24 hours prior	Precipitation during application	Precipitation 24 hours following
02/01/2023	Surface (irrigation)	No precipitation	No precipitation	No precipitation

Source description	Material type	N (lbs/acre)	P (lbs/acre)	K (lbs/acre)	Salt (lbs/acre)	Amount
WWS	Process wastewater	44.76	4.15	49.49	378.53	216,000.00 *gal*
Application event totals		44.76	4.15	49.49	378.53	

Application date	Application method	Precipitation 24 hours prior	Precipitation during application	Precipitation 24 hours following
03/18/2023	Surface (irrigation)	No precipitation	No precipitation	No precipitation

Source description	Material type	N (lbs/acre)	P (lbs/acre)	K (lbs/acre)	Salt (lbs/acre)	Amount
WWS	Process wastewater	26.11	2.42	28.87	220.81	126,000.00 *gal*
Application event totals		26.11	2.42	28.87	220.81	

Application date	Application method	Precipitation 24 hours prior	Precipitation during application	Precipitation 24 hours following
04/09/2023	Surface (irrigation)	No precipitation	No precipitation	No precipitation

Source description	Material type	N (lbs/acre)	P (lbs/acre)	K (lbs/acre)	Salt (lbs/acre)	Amount
WWS	Process wastewater	15.97	4.41	27.64	183.26	144,000.00 *gal*
Canal	Surface water	0.00	0.00	0.00	26.38	2,918,136.00 *gal*
Application event totals		15.97	4.41	27.64	209.64	

Whitehouse North - 06/10/2023: Corn, silage

Field name: Whitehouse North

Crop: Corn, silage

Plant date: 06/10/2023

Application date	Application method	Precipitation 24 hours prior	Precipitation during application	Precipitation 24 hours following
05/26/2023	Surface (irrigation)	No precipitation	No precipitation	No precipitation

Source description	Material type	N (lbs/acre)	P (lbs/acre)	K (lbs/acre)	Salt (lbs/acre)	Amount
WWS	Process wastewater	87.85	24.26	152.01	1,007.91	792,000.00 *gal*
Canal	Surface water	0.00	0.00	0.00	33.84	3,743,688.00 *gal*
Application event totals		87.85	24.26	152.01	1,041.75	

Whitehouse North - 06/10/2023: Corn, silage

Application date	Application method	Precipitation 24 hours prior	Precipitation during application	Precipitation 24 hours following
06/23/2023	Surface (irrigation)	No precipitation	No precipitation	No precipitation

Source description	Material type	N (lbs/acre)	P (lbs/acre)	K (lbs/acre)	Salt (lbs/acre)	Amount
WWS	Process wastewater	11.98	3.31	20.73	137.44	108,000.00 *gal*
Canal	Surface water	0.00	0.00	0.00	31.00	3,429,072.00 *gal*
Application event totals		11.98	3.31	20.73	168.44	

Application date	Application method	Precipitation 24 hours prior	Precipitation during application	Precipitation 24 hours following
07/19/2023	Surface (irrigation)	No precipitation	No precipitation	No precipitation

Source description	Material type	N (lbs/acre)	P (lbs/acre)	K (lbs/acre)	Salt (lbs/acre)	Amount
WWS	Process wastewater	15.97	4.41	27.64	183.26	144,000.00 *gal*
Canal	Surface water	0.00	0.00	0.00	29.05	3,213,720.00 *gal*
Application event totals		15.97	4.41	27.64	212.31	

Application date	Application method	Precipitation 24 hours prior	Precipitation during application	Precipitation 24 hours following
08/01/2023	Surface (irrigation)	No precipitation	No precipitation	No precipitation

Source description	Material type	N (lbs/acre)	P (lbs/acre)	K (lbs/acre)	Salt (lbs/acre)	Amount
WWS	Process wastewater	23.96	6.62	41.46	274.88	216,000.00 *gal*
Canal	Surface water	0.00	0.00	0.00	27.77	3,071,760.00 *gal*
Application event totals		23.96	6.62	41.46	302.65	

Application date	Application method	Precipitation 24 hours prior	Precipitation during application	Precipitation 24 hours following
08/12/2023	Surface (irrigation)	No precipitation	No precipitation	No precipitation

Source description	Material type	N (lbs/acre)	P (lbs/acre)	K (lbs/acre)	Salt (lbs/acre)	Amount
WWS	Process wastewater	21.96	6.07	38.00	251.98	198,000.00 *gal*
Canal	Surface water	0.00	0.00	0.00	26.39	2,919,648.00 *gal*
Application event totals		21.96	6.07	38.00	278.37	

Application date	Application method	Precipitation 24 hours prior	Precipitation during application	Precipitation 24 hours following
08/25/2023	Surface (irrigation)	No precipitation	No precipitation	No precipitation

Source description	Material type	N (lbs/acre)	P (lbs/acre)	K (lbs/acre)	Salt (lbs/acre)	Amount
WWS	Process wastewater	75.87	20.95	131.28	870.47	684,000.00 *gal*
Canal	Surface water	0.00	0.00	0.00	24.48	2,707,621.00 *gal*
Application event totals		75.87	20.95	131.28	894.94	

Whitehouse North - 06/10/2023: Corn, silage

Application date	Application method	Precipitation 24 hours prior	Precipitation during application	Precipitation 24 hours following
09/05/2023	Surface (irrigation)	No precipitation	No precipitation	No precipitation

Source description	Material type	N (lbs/acre)	P (lbs/acre)	K (lbs/acre)	Salt (lbs/acre)	Amount
WWS	Process wastewater	39.93	11.03	69.10	458.14	360,000.00 *gal*
Canal	Surface water	0.00	0.00	0.00	23.41	2,589,213.00 *gal*
Application event totals		39.93	11.03	69.10	481.55	

Application date	Application method	Precipitation 24 hours prior	Precipitation during application	Precipitation 24 hours following
09/14/2023	Surface (irrigation)	No precipitation	No precipitation	No precipitation

Source description	Material type	N (lbs/acre)	P (lbs/acre)	K (lbs/acre)	Salt (lbs/acre)	Amount
Canal	Surface water	0.00	0.00	0.00	24.11	2,667,210.00 *gal*
Application event totals		0.00	0.00	0.00	24.11	

Whitehouse South - 10/31/2022: Oats, silage-soft dough

Field name: Whitehouse South

Crop: Oats, silage-soft dough

Plant date: 10/31/2022

Application date	Application method	Precipitation 24 hours prior	Precipitation during application	Precipitation 24 hours following
10/17/2022	Surface (irrigation)	No precipitation	No precipitation	No precipitation

Source description	Material type	N (lbs/acre)	P (lbs/acre)	K (lbs/acre)	Salt (lbs/acre)	Amount
WWS	Process wastewater	83.24	6.58	113.61	611.76	144,000.00 *gal*
Canal	Surface water	0.00	0.00	0.00	34.76	1,762,365.00 *gal*
Application event totals		83.24	6.58	113.61	646.53	

Application date	Application method	Precipitation 24 hours prior	Precipitation during application	Precipitation 24 hours following
01/11/2023	Surface (irrigation)	No precipitation	No precipitation	No precipitation

Source description	Material type	N (lbs/acre)	P (lbs/acre)	K (lbs/acre)	Salt (lbs/acre)	Amount
WWS	Process wastewater	31.22	2.47	42.61	229.41	54,000.00 *gal*
Application event totals		31.22	2.47	42.61	229.41	

Whitehouse South - 10/31/2022: Oats, silage-soft dough

Application date	Application method	Precipitation 24 hours prior	Precipitation during application	Precipitation 24 hours following
02/17/2023	Surface (irrigation)	No precipitation	No precipitation	No precipitation

Source description	Material type	N (lbs/acre)	P (lbs/acre)	K (lbs/acre)	Salt (lbs/acre)	Amount
WWS	Process wastewater	40.69	3.77	44.99	344.12	90,000.00 *gal*
Application event totals		40.69	3.77	44.99	344.12	

Application date	Application method	Precipitation 24 hours prior	Precipitation during application	Precipitation 24 hours following
03/03/2023	Surface (irrigation)	No precipitation	No precipitation	No precipitation

Source description	Material type	N (lbs/acre)	P (lbs/acre)	K (lbs/acre)	Salt (lbs/acre)	Amount
WWS	Process wastewater	16.28	1.51	18.00	137.65	36,000.00 *gal*
Application event totals		16.28	1.51	18.00	137.65	

Application date	Application method	Precipitation 24 hours prior	Precipitation during application	Precipitation 24 hours following
04/10/2023	Surface (irrigation)	No precipitation	No precipitation	No precipitation

Source description	Material type	N (lbs/acre)	P (lbs/acre)	K (lbs/acre)	Salt (lbs/acre)	Amount
WWS	Process wastewater	30.49	8.42	52.76	349.85	126,000.00 *gal*
Canal	Surface water	0.00	0.00	0.00	26.78	1,357,565.00 *gal*
Application event totals		30.49	8.42	52.76	376.63	

Whitehouse South - 06/11/2023: Corn, silage

Field name: Whitehouse South

Crop: Corn, silage

Plant date: 06/11/2023

Application date	Application method	Precipitation 24 hours prior	Precipitation during application	Precipitation 24 hours following
05/26/2023	Surface (irrigation)	No precipitation	No precipitation	No precipitation

Source description	Material type	N (lbs/acre)	P (lbs/acre)	K (lbs/acre)	Salt (lbs/acre)	Amount
WWS	Process wastewater	60.99	16.84	105.53	699.71	252,000.00 *gal*
Canal	Surface water	0.00	0.00	0.00	35.22	1,785,476.00 *gal*
Application event totals		60.99	16.84	105.53	734.92	

Whitehouse South - 06/11/2023: Corn, silage

Application date	Application method	Precipitation 24 hours prior	Precipitation during application	Precipitation 24 hours following
06/23/2023	Surface (irrigation)	No precipitation	No precipitation	No precipitation

Source description	Material type	N (lbs/acre)	P (lbs/acre)	K (lbs/acre)	Salt (lbs/acre)	Amount
WWS	Process wastewater	30.49	8.42	52.76	349.85	126,000.00 *gal*
Canal	Surface water	0.00	0.00	0.00	32.81	1,663,222.00 *gal*
Application event totals		30.49	8.42	52.76	382.66	

Application date	Application method	Precipitation 24 hours prior	Precipitation during application	Precipitation 24 hours following
07/19/2023	Surface (irrigation)	No precipitation	No precipitation	No precipitation

Source description	Material type	N (lbs/acre)	P (lbs/acre)	K (lbs/acre)	Salt (lbs/acre)	Amount
WWS	Process wastewater	34.85	9.62	60.30	399.83	144,000.00 *gal*
Canal	Surface water	0.00	0.00	0.00	30.78	1,560,625.00 *gal*
Application event totals		34.85	9.62	60.30	430.61	

Application date	Application method	Precipitation 24 hours prior	Precipitation during application	Precipitation 24 hours following
08/01/2023	Surface (irrigation)	No precipitation	No precipitation	No precipitation

Source description	Material type	N (lbs/acre)	P (lbs/acre)	K (lbs/acre)	Salt (lbs/acre)	Amount
WWS	Process wastewater	26.14	7.22	45.23	299.87	108,000.00 *gal*
Canal	Surface water	0.00	0.00	0.00	28.62	1,450,955.00 *gal*
Application event totals		26.14	7.22	45.23	328.49	

Application date	Application method	Precipitation 24 hours prior	Precipitation during application	Precipitation 24 hours following
08/12/2023	Surface (irrigation)	No precipitation	No precipitation	No precipitation

Source description	Material type	N (lbs/acre)	P (lbs/acre)	K (lbs/acre)	Salt (lbs/acre)	Amount
WWS	Process wastewater	26.14	7.22	45.23	299.87	108,000.00 *gal*
Canal	Surface water	0.00	0.00	0.00	26.71	1,353,935.00 *gal*
Application event totals		26.14	7.22	45.23	326.58	

Application date	Application method	Precipitation 24 hours prior	Precipitation during application	Precipitation 24 hours following
08/25/2023	Surface (irrigation)	No precipitation	No precipitation	No precipitation

Source description	Material type	N (lbs/acre)	P (lbs/acre)	K (lbs/acre)	Salt (lbs/acre)	Amount
WWS	Process wastewater	52.27	14.44	90.45	599.75	216,000.00 *gal*
Canal	Surface water	0.00	0.00	0.00	24.49	1,241,703.00 *gal*
Application event totals		52.27	14.44	90.45	624.24	

Whitehouse South - 06/11/2023: Corn, silage

Application date	Application method	Precipitation 24 hours prior	Precipitation during application	Precipitation 24 hours following
09/05/2023	Surface (irrigation)	No precipitation	No precipitation	No precipitation

Source description	Material type	N (lbs/acre)	P (lbs/acre)	K (lbs/acre)	Salt (lbs/acre)	Amount
WWS	Process wastewater	52.27	14.44	90.45	599.75	216,000.00 *gal*
Canal	Surface water	0.00	0.00	0.00	23.37	1,184,713.00 *gal*
Application event totals		52.27	14.44	90.45	623.12	

Application date	Application method	Precipitation 24 hours prior	Precipitation during application	Precipitation 24 hours following
09/14/2023	Surface (irrigation)	No precipitation	No precipitation	No precipitation

Source description	Material type	N (lbs/acre)	P (lbs/acre)	K (lbs/acre)	Salt (lbs/acre)	Amount
Canal	Surface water	0.00	0.00	0.00	21.55	1,092,716.00 *gal*
Application event totals		0.00	0.00	0.00	21.55	

Whitehouse West - 10/31/2022: Oats, silage-soft dough

Field name: Whitehouse West

Crop: Oats, silage-soft dough

Plant date: 10/31/2022

Application date	Application method	Precipitation 24 hours prior	Precipitation during application	Precipitation 24 hours following
10/18/2022	Surface (irrigation)	No precipitation	No precipitation	No precipitation

Source description	Material type	N (lbs/acre)	P (lbs/acre)	K (lbs/acre)	Salt (lbs/acre)	Amount
WWS	Process wastewater	74.06	5.85	101.08	544.29	396,000.00 *gal*
Canal	Surface water	0.00	0.00	0.00	36.94	5,788,670.00 *gal*
Application event totals		74.06	5.85	101.08	581.23	

Application date	Application method	Precipitation 24 hours prior	Precipitation during application	Precipitation 24 hours following
12/22/2022	Surface (irrigation)	No precipitation	No precipitation	No precipitation

Source description	Material type	N (lbs/acre)	P (lbs/acre)	K (lbs/acre)	Salt (lbs/acre)	Amount
WWS	Process wastewater	43.76	3.46	59.73	321.63	234,000.00 *gal*
Application event totals		43.76	3.46	59.73	321.63	

Whitehouse West - 10/31/2022: Oats, silage-soft dough

Application date	Application method	Precipitation 24 hours prior	Precipitation during application	Precipitation 24 hours following
02/02/2023	Surface (irrigation)	No precipitation	No precipitation	No precipitation

Source description	Material type	N (lbs/acre)	P (lbs/acre)	K (lbs/acre)	Salt (lbs/acre)	Amount
WWS	Process wastewater	42.13	3.90	46.58	356.26	288,000.00 *gal*
Application event totals		42.13	3.90	46.58	356.26	

Application date	Application method	Precipitation 24 hours prior	Precipitation during application	Precipitation 24 hours following
03/17/2023	Surface (irrigation)	No precipitation	No precipitation	No precipitation

Source description	Material type	N (lbs/acre)	P (lbs/acre)	K (lbs/acre)	Salt (lbs/acre)	Amount
WWS	Process wastewater	21.06	1.95	23.29	178.13	144,000.00 *gal*
Application event totals		21.06	1.95	23.29	178.13	

Application date	Application method	Precipitation 24 hours prior	Precipitation during application	Precipitation 24 hours following
04/09/2023	Surface (irrigation)	No precipitation	No precipitation	No precipitation

Source description	Material type	N (lbs/acre)	P (lbs/acre)	K (lbs/acre)	Salt (lbs/acre)	Amount
WWS	Process wastewater	16.91	4.67	29.26	194.04	216,000.00 *gal*
Canal	Surface water	0.00	0.00	0.00	27.10	4,246,430.00 *gal*
Application event totals		16.91	4.67	29.26	221.13	

Whitehouse West - 06/12/2023: Corn, silage

Field name: Whitehouse West

Crop: Corn, silage

Plant date: 06/12/2023

Application date	Application method	Precipitation 24 hours prior	Precipitation during application	Precipitation 24 hours following
05/26/2023	Surface (irrigation)	No precipitation	No precipitation	No precipitation

Source description	Material type	N (lbs/acre)	P (lbs/acre)	K (lbs/acre)	Salt (lbs/acre)	Amount
WWS	Process wastewater	40.87	11.29	70.72	468.92	522,000.00 *gal*
Canal	Surface water	0.00	0.00	0.00	36.09	5,654,880.00 *gal*
Application event totals		40.87	11.29	70.72	505.01	

Whitehouse West - 06/12/2023: Corn, silage

Application date	Application method	Precipitation 24 hours prior	Precipitation during application	Precipitation 24 hours following
06/24/2023	Surface (irrigation)	No precipitation	No precipitation	No precipitation

Source description	Material type	N (lbs/acre)	P (lbs/acre)	K (lbs/acre)	Salt (lbs/acre)	Amount
WWS	Process wastewater	33.82	9.34	58.53	388.07	432,000.00 *gal*
Canal	Surface water	0.00	0.00	0.00	33.22	5,205,060.00 *gal*
Application event totals		33.82	9.34	58.53	421.29	

Application date	Application method	Precipitation 24 hours prior	Precipitation during application	Precipitation 24 hours following
07/19/2023	Surface (irrigation)	No precipitation	No precipitation	No precipitation

Source description	Material type	N (lbs/acre)	P (lbs/acre)	K (lbs/acre)	Salt (lbs/acre)	Amount
WWS	Process wastewater	43.69	12.07	75.60	501.26	558,000.00 *gal*
Canal	Surface water	0.00	0.00	0.00	30.14	4,723,110.00 *gal*
Application event totals		43.69	12.07	75.60	531.40	

Application date	Application method	Precipitation 24 hours prior	Precipitation during application	Precipitation 24 hours following
08/01/2023	Surface (irrigation)	No precipitation	No precipitation	No precipitation

Source description	Material type	N (lbs/acre)	P (lbs/acre)	K (lbs/acre)	Salt (lbs/acre)	Amount
WWS	Process wastewater	39.46	10.90	68.28	452.75	504,000.00 *gal*
Canal	Surface water	0.00	0.00	0.00	26.51	4,153,870.00 *gal*
Application event totals		39.46	10.90	68.28	479.26	

Application date	Application method	Precipitation 24 hours prior	Precipitation during application	Precipitation 24 hours following
08/12/2023	Surface (irrigation)	No precipitation	No precipitation	No precipitation

Source description	Material type	N (lbs/acre)	P (lbs/acre)	K (lbs/acre)	Salt (lbs/acre)	Amount
WWS	Process wastewater	42.28	11.68	73.16	485.09	540,000.00 *gal*
Canal	Surface water	0.00	0.00	0.00	25.90	4,058,880.00 *gal*
Application event totals		42.28	11.68	73.16	510.99	

Application date	Application method	Precipitation 24 hours prior	Precipitation during application	Precipitation 24 hours following
08/25/2023	Surface (irrigation)	No precipitation	No precipitation	No precipitation

Source description	Material type	N (lbs/acre)	P (lbs/acre)	K (lbs/acre)	Salt (lbs/acre)	Amount
WWS	Process wastewater	45.10	12.46	78.04	517.43	576,000.00 *gal*
Canal	Surface water	0.00	0.00	0.00	24.97	3,912,703.00 *gal*
Application event totals		45.10	12.46	78.04	542.40	

Whitehouse West - 06/12/2023: Corn, silage

Application date	Application method	Precipitation 24 hours prior	Precipitation during application	Precipitation 24 hours following
09/05/2023	Surface (irrigation)	No precipitation	No precipitation	No precipitation

Source description	Material type	N (lbs/acre)	P (lbs/acre)	K (lbs/acre)	Salt (lbs/acre)	Amount
WWS	Process wastewater	25.37	7.01	43.90	291.05	324,000.00 *gal*
Canal	Surface water	0.00	0.00	0.00	23.78	3,726,413.00 *gal*
Application event totals		25.37	7.01	43.90	314.83	

Application date	Application method	Precipitation 24 hours prior	Precipitation during application	Precipitation 24 hours following
09/14/2023	Surface (irrigation)	No precipitation	No precipitation	No precipitation

Source description	Material type	N (lbs/acre)	P (lbs/acre)	K (lbs/acre)	Salt (lbs/acre)	Amount
Canal	Surface water	0.00	0.00	0.00	24.25	3,800,812.00 *gal*
Application event totals		0.00	0.00	0.00	24.25	

B. NUTRIENT BUDGET

Bettencourt - 10/27/2022: Oats, silage-soft dough

Field name: Bettencourt Crop: Oats, silage-soft dough Plant date: 10/27/2022

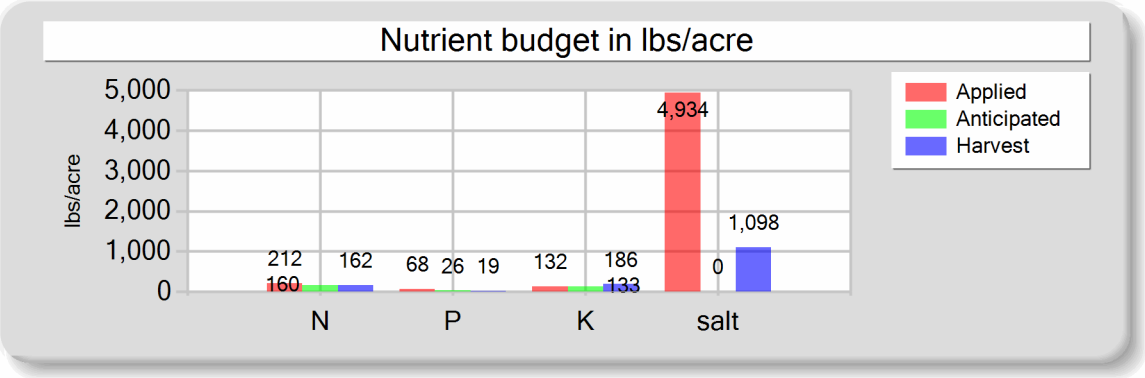

	Total N (lbs/acre)	Total P (lbs/acre)	Total K (lbs/acre)	Total salt (lbs/acre)
Existing soil nutrient content	0.00	0.00	0.00	0.00
Plowdown credit	0.00	0.00	0.00	0.00
Commercial fertilizer / Other	0.00	0.00	0.00	0.00
Dry manure	205.05	68.35	131.51	4,897.03
Process wastewater	0.00	0.00	0.00	0.00
Fresh water	0.00	0.00	0.00	37.16
Atmospheric deposition	7.00	0.00	0.00	0.00
Total nutrients applied	212.05	68.35	131.51	4,934.19
Anticipated crop nutrient removal	160.00	25.60	132.80	0.00
Actual crop nutrient removal	161.84	18.57	185.71	1,097.57
Nutrient balance	50.22	49.78	-54.20	3,836.62
Applied to removed ratio	1.31	3.68	0.71	4.50

Fresh water applied	
17,296,048.00	*gallons*
636.95	*acre-inches*
6.31	*inches/acre*

Process wastewater applied	
0.00	*gallons*
0.00	*acre-inches*
0.00	*inches/acre*

Total harvests for the crop	
1	*harvests*

Bettencourt - 04/26/2023: Corn, silage

Field name: Bettencourt Crop: Corn, silage Plant date: 04/26/2023

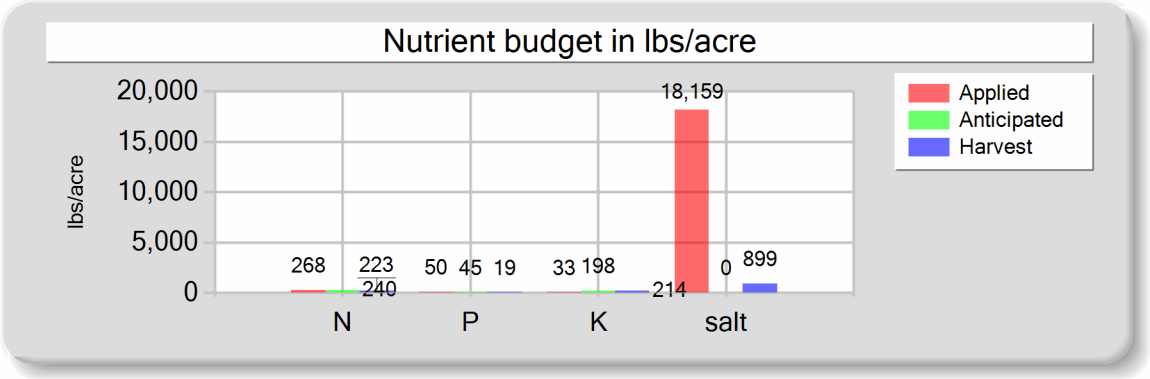

	Total N (lbs/acre)	Total P (lbs/acre)	Total K (lbs/acre)	Total salt (lbs/acre)
Existing soil nutrient content	0.00	0.00	0.00	0.00
Plowdown credit	0.00	0.00	0.00	0.00
Commercial fertilizer / Other	0.00	0.00	0.00	0.00
Dry manure	260.73	50.23	33.49	17,940.00
Process wastewater	0.00	0.00	0.00	0.00
Fresh water	0.00	0.00	0.00	219.33
Atmospheric deposition	7.00	0.00	0.00	0.00
Total nutrients applied	267.73	50.23	33.49	18,159.33
Anticipated crop nutrient removal	240.00	45.00	198.00	0.00
Actual crop nutrient removal	223.28	18.61	213.97	898.69
Nutrient balance	44.45	31.63	-180.48	17,260.64
Applied to removed ratio	1.20	2.70	0.16	20.21

Fresh water applied	
102,096,962.00	*gallons*
3,759.88	*acre-inches*
37.23	*inches/acre*

Process wastewater applied	
0.00	*gallons*
0.00	*acre-inches*
0.00	*inches/acre*

Total harvests for the crop	
1	*harvests*

Bills Field - 11/01/2022: Oats, silage-soft dough

Field name: Bills Field | Crop: Oats, silage-soft dough | Plant date: 11/01/2022

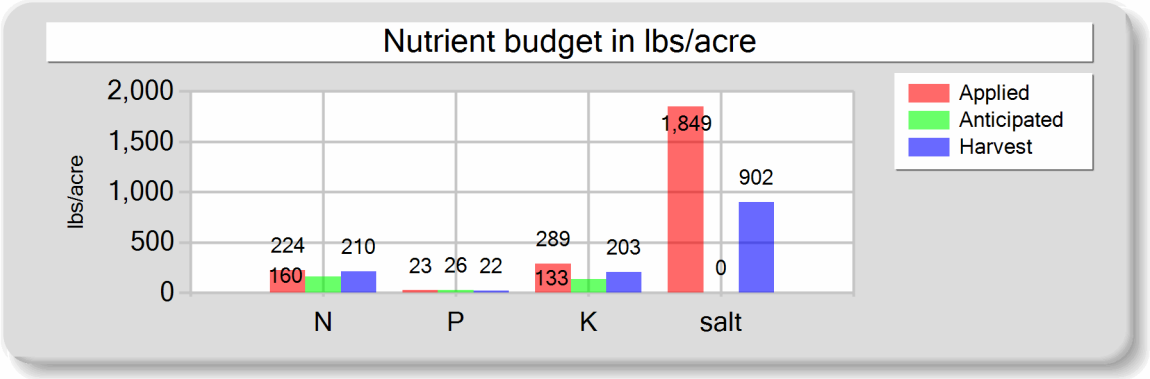

	Total N (lbs/acre)	Total P (lbs/acre)	Total K (lbs/acre)	Total salt (lbs/acre)
Existing soil nutrient content	0.00	0.00	0.00	0.00
Plowdown credit	0.00	0.00	0.00	0.00
Commercial fertilizer / Other	0.00	0.00	0.00	0.00
Dry manure	0.00	0.00	0.00	0.00
Process wastewater	217.16	23.47	289.00	1,783.21
Fresh water	0.00	0.00	0.00	65.48
Atmospheric deposition	7.00	0.00	0.00	0.00
Total nutrients applied	224.16	23.47	289.00	1,848.69
Anticipated crop nutrient removal	160.00	25.60	132.80	0.00
Actual crop nutrient removal	210.01	21.73	202.77	901.59
Nutrient balance	14.15	1.74	86.23	947.09
Applied to removed ratio	1.07	1.08	1.43	2.05

Fresh water applied	
8,450,232.00	*gallons*
311.19	*acre-inches*
11.11	*inches/acre*

Process wastewater applied	
1,206,000.00	*gallons*
44.41	*acre-inches*
1.59	*inches/acre*

Total harvests for the crop	
1	*harvests*

Bills Field - 06/15/2023: Corn, silage

Field name: Bills Field Crop: Corn, silage Plant date: 06/15/2023

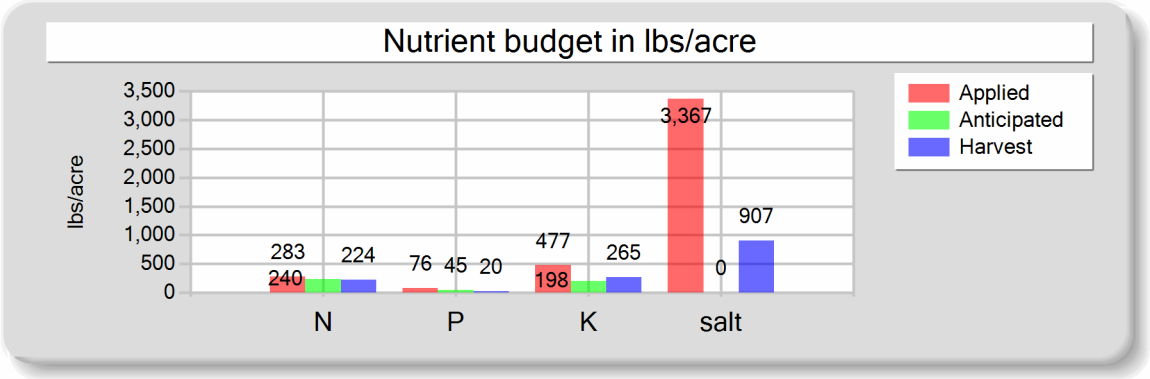

	Total N (lbs/acre)	Total P (lbs/acre)	Total K (lbs/acre)	Total salt (lbs/acre)
Existing soil nutrient content	0.00	0.00	0.00	0.00
Plowdown credit	0.00	0.00	0.00	0.00
Commercial fertilizer / Other	0.00	0.00	0.00	0.00
Dry manure	0.00	0.00	0.00	0.00
Process wastewater	275.52	76.09	476.77	3,161.17
Fresh water	0.00	0.00	0.00	206.29
Atmospheric deposition	7.00	0.00	0.00	0.00
Total nutrients applied	282.52	76.09	476.77	3,367.46
Anticipated crop nutrient removal	240.00	45.00	198.00	0.00
Actual crop nutrient removal	224.45	20.40	265.26	907.19
Nutrient balance	58.07	55.69	211.51	2,460.27
Applied to removed ratio	1.26	3.73	1.80	3.71

Fresh water applied	
26,621,272.00	*gallons*
980.37	*acre-inches*
35.01	*inches/acre*

Process wastewater applied	
2,898,000.00	*gallons*
106.72	*acre-inches*
3.81	*inches/acre*

Total harvests for the crop	
1	*harvests*

Clark - 11/01/2022: Oats, silage-soft dough

Field name: Clark | Crop: Oats, silage-soft dough | Plant date: 11/01/2022

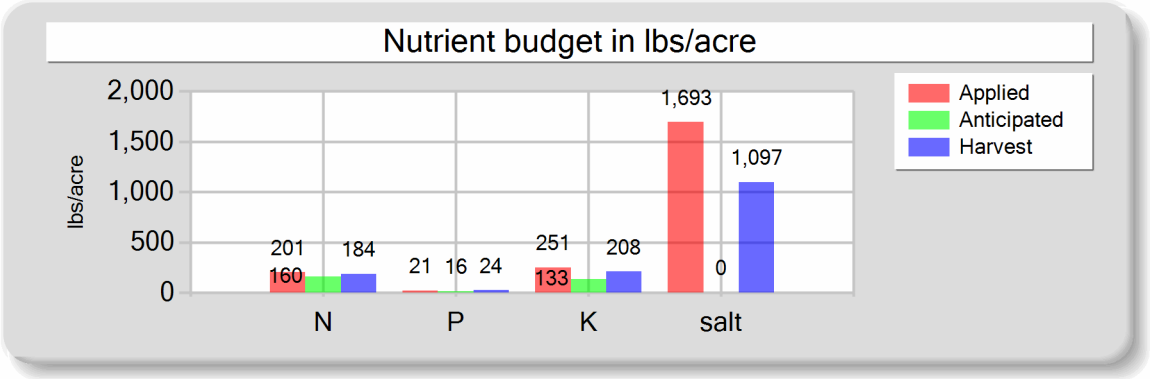

	Total N (lbs/acre)	Total P (lbs/acre)	Total K (lbs/acre)	Total salt (lbs/acre)
Existing soil nutrient content	0.00	0.00	0.00	0.00
Plowdown credit	0.00	0.00	0.00	0.00
Commercial fertilizer / Other	0.00	0.00	0.00	0.00
Dry manure	0.00	0.00	0.00	0.00
Process wastewater	194.15	21.49	250.92	1,629.06
Fresh water	0.00	0.00	0.00	64.03
Atmospheric deposition	7.00	0.00	0.00	0.00
Total nutrients applied	201.15	21.49	250.92	1,693.09
Anticipated crop nutrient removal	160.00	16.00	132.80	0.00
Actual crop nutrient removal	184.37	23.90	208.28	1,097.23
Nutrient balance	16.77	-2.41	42.65	595.85
Applied to removed ratio	1.09	0.90	1.20	1.54

Fresh water applied	
6,787,300.00	*gallons*
249.95	*acre-inches*
10.87	*inches/acre*

Process wastewater applied	
918,000.00	*gallons*
33.81	*acre-inches*
1.47	*inches/acre*

Total harvests for the crop	
1	*harvests*

Clark - 06/13/2023: Corn, silage

Field name: Clark | Crop: Corn, silage | Plant date: 06/13/2023

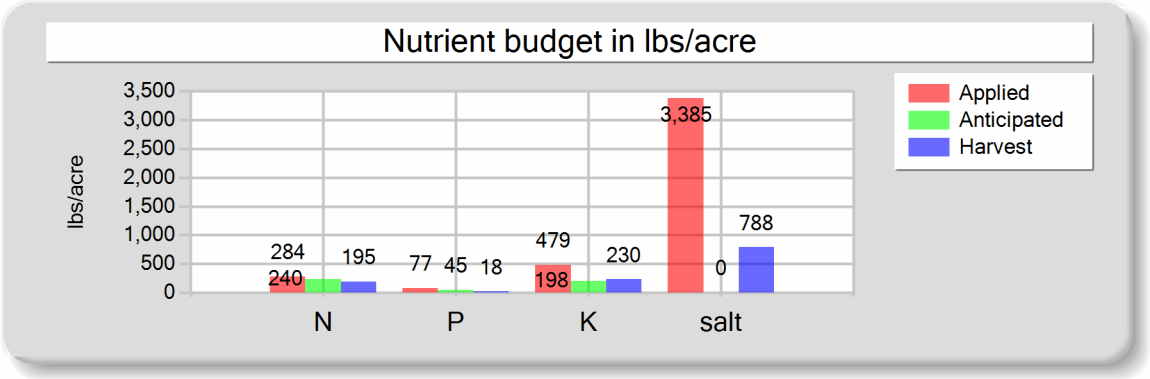

	Total N (lbs/acre)	Total P (lbs/acre)	Total K (lbs/acre)	Total salt (lbs/acre)
Existing soil nutrient content	0.00	0.00	0.00	0.00
Plowdown credit	0.00	0.00	0.00	0.00
Commercial fertilizer / Other	0.00	0.00	0.00	0.00
Dry manure	0.00	0.00	0.00	0.00
Process wastewater	277.09	76.52	479.47	3,179.10
Fresh water	0.00	0.00	0.00	206.32
Atmospheric deposition	7.00	0.00	0.00	0.00
Total nutrients applied	284.09	76.52	479.47	3,385.42
Anticipated crop nutrient removal	240.00	45.00	198.00	0.00
Actual crop nutrient removal	194.88	17.72	230.31	787.68
Nutrient balance	89.20	58.81	249.16	2,597.74
Applied to removed ratio	1.46	4.32	2.08	4.30

Fresh water applied	
21,871,374.00	*gallons*
805.45	*acre-inches*
35.02	*inches/acre*

Process wastewater applied	
2,394,000.00	*gallons*
88.16	*acre-inches*
3.83	*inches/acre*

Total harvests for the crop	
1	*harvests*

Dairy West - 11/01/2022: Oats, silage-soft dough

Field name: Dairy West | Crop: Oats, silage-soft dough | Plant date: 11/01/2022

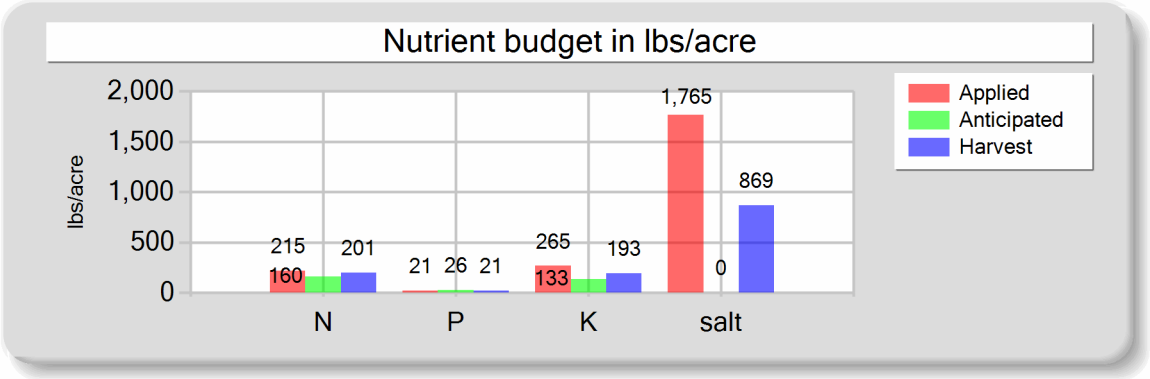

	Total N (lbs/acre)	Total P (lbs/acre)	Total K (lbs/acre)	Total salt (lbs/acre)
Existing soil nutrient content	0.00	0.00	0.00	0.00
Plowdown credit	0.00	0.00	0.00	0.00
Commercial fertilizer / Other	0.00	0.00	0.00	0.00
Dry manure	0.00	0.00	0.00	0.00
Process wastewater	208.34	20.93	265.06	1,704.38
Fresh water	0.00	0.00	0.00	60.78
Atmospheric deposition	7.00	0.00	0.00	0.00
Total nutrients applied	215.34	20.93	265.06	1,765.17
Anticipated crop nutrient removal	160.00	25.60	132.80	0.00
Actual crop nutrient removal	200.96	20.93	192.59	868.73
Nutrient balance	14.38	0.00	72.47	896.43
Applied to removed ratio	1.07	1.00	1.38	2.03

Fresh water applied	
3,361,800.00	*gallons*
123.80	*acre-inches*
10.32	*inches/acre*

Process wastewater applied	
486,000.00	*gallons*
17.90	*acre-inches*
1.49	*inches/acre*

Total harvests for the crop	
1	*harvests*

Dairy West - 06/15/2023: Corn, silage

Field name: Dairy West | Crop: Corn, silage | Plant date: 06/15/2023

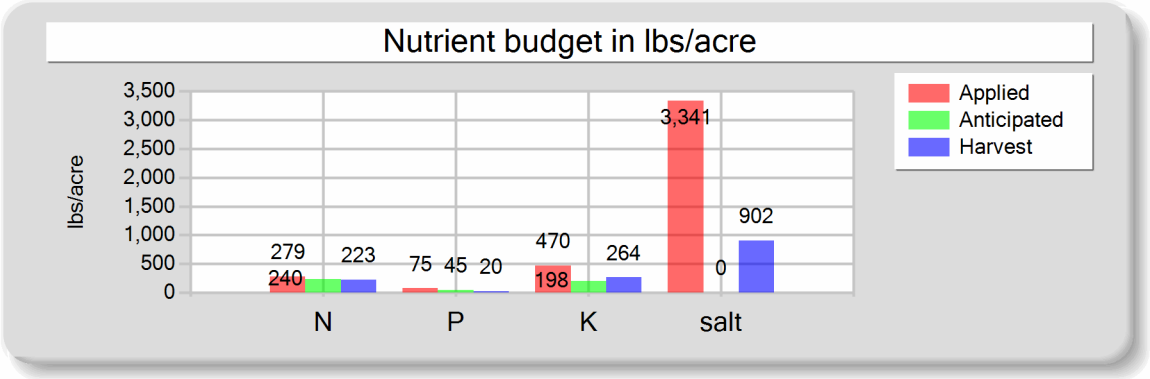

	Total N (lbs/acre)	Total P (lbs/acre)	Total K (lbs/acre)	Total salt (lbs/acre)
Existing soil nutrient content	0.00	0.00	0.00	0.00
Plowdown credit	0.00	0.00	0.00	0.00
Commercial fertilizer / Other	0.00	0.00	0.00	0.00
Dry manure	0.00	0.00	0.00	0.00
Process wastewater	271.53	74.99	469.86	3,115.36
Fresh water	0.00	0.00	0.00	225.35
Atmospheric deposition	7.00	0.00	0.00	0.00
Total nutrients applied	278.53	74.99	469.86	3,340.71
Anticipated crop nutrient removal	240.00	45.00	198.00	0.00
Actual crop nutrient removal	223.08	20.28	263.64	901.65
Nutrient balance	55.45	54.71	206.22	2,439.06
Applied to removed ratio	1.25	3.70	1.78	3.71

Fresh water applied	
12,463,664.00	*gallons*
458.99	*acre-inches*
38.25	*inches/acre*

Process wastewater applied	
1,224,000.00	*gallons*
45.08	*acre-inches*
3.76	*inches/acre*

Total harvests for the crop	
1	*harvests*

Johnson - 11/01/2022: Oats, silage-soft dough

Field name: Johnson | Crop: Oats, silage-soft dough | Plant date: 11/01/2022

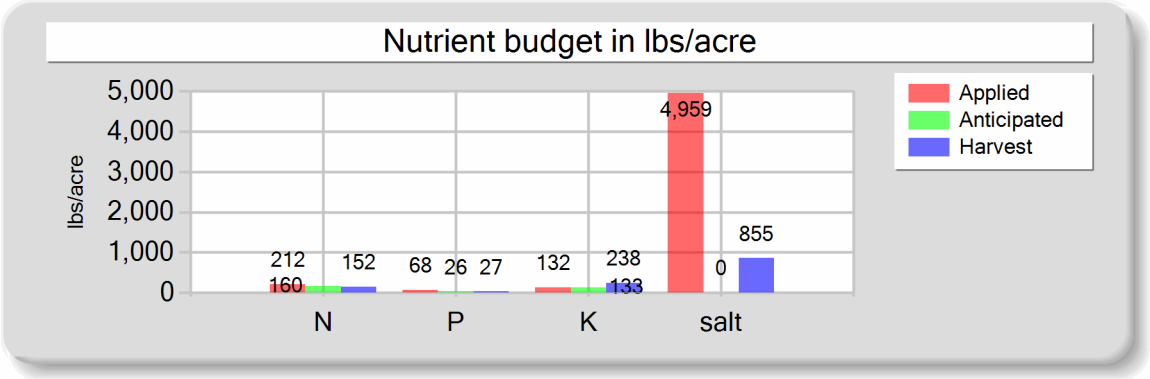

	Total N (lbs/acre)	Total P (lbs/acre)	Total K (lbs/acre)	Total salt (lbs/acre)
Existing soil nutrient content	0.00	0.00	0.00	0.00
Plowdown credit	0.00	0.00	0.00	0.00
Commercial fertilizer / Other	0.00	0.00	0.00	0.00
Dry manure	205.05	68.35	131.51	4,897.03
Process wastewater	0.00	0.00	0.00	0.00
Fresh water	0.00	0.00	0.00	62.11
Atmospheric deposition	7.00	0.00	0.00	0.00
Total nutrients applied	212.05	68.35	131.51	4,959.15
Anticipated crop nutrient removal	160.00	25.60	132.80	0.00
Actual crop nutrient removal	151.75	26.78	238.04	854.79
Nutrient balance	60.30	41.57	-106.53	4,104.35
Applied to removed ratio	1.40	2.55	0.55	5.80

Fresh water applied	
10,878,564.00	*gallons*
400.62	*acre-inches*
10.54	*inches/acre*

Process wastewater applied	
0.00	*gallons*
0.00	*acre-inches*
0.00	*inches/acre*

Total harvests for the crop	
1	*harvests*

Johnson - 06/12/2023: Corn, silage

Field name: Johnson | Crop: Corn, silage | Plant date: 06/12/2023

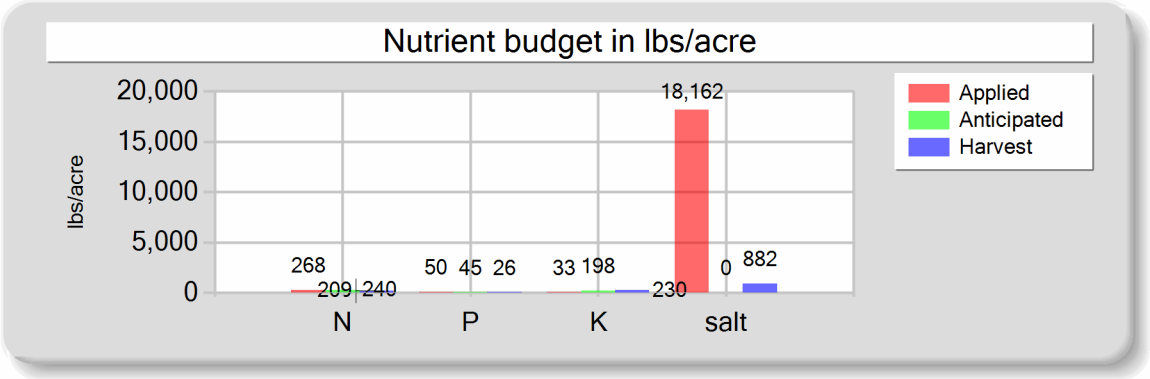

	Total N (lbs/acre)	Total P (lbs/acre)	Total K (lbs/acre)	Total salt (lbs/acre)
Existing soil nutrient content	0.00	0.00	0.00	0.00
Plowdown credit	0.00	0.00	0.00	0.00
Commercial fertilizer / Other	0.00	0.00	0.00	0.00
Dry manure	260.73	50.23	33.49	17,940.00
Process wastewater	0.00	0.00	0.00	0.00
Fresh water	0.00	0.00	0.00	221.96
Atmospheric deposition	7.00	0.00	0.00	0.00
Total nutrients applied	267.73	50.23	33.49	18,161.96
Anticipated crop nutrient removal	240.00	45.00	198.00	0.00
Actual crop nutrient removal	209.31	25.53	229.73	881.66
Nutrient balance	58.42	24.71	-196.24	17,280.30
Applied to removed ratio	1.28	1.97	0.15	20.60

Fresh water applied	
38,873,636.00	*gallons*
1,431.58	*acre-inches*
37.67	*inches/acre*

Process wastewater applied	
0.00	*gallons*
0.00	*acre-inches*
0.00	*inches/acre*

Total harvests for the crop	
1	*harvests*

Silva North - 10/31/2022: Oats, silage-soft dough

Field name: Silva North | Crop: Oats, silage-soft dough | Plant date: 10/31/2022

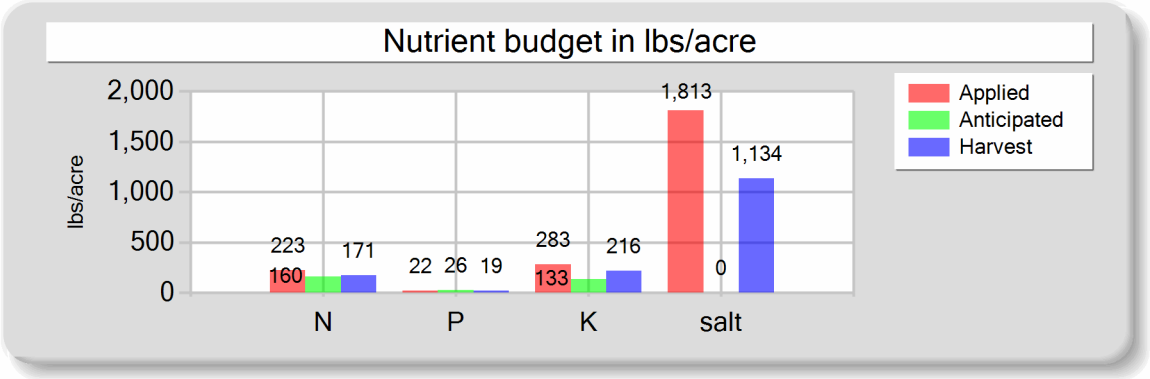

	Total N (lbs/acre)	Total P (lbs/acre)	Total K (lbs/acre)	Total salt (lbs/acre)
Existing soil nutrient content	0.00	0.00	0.00	0.00
Plowdown credit	0.00	0.00	0.00	0.00
Commercial fertilizer / Other	0.00	0.00	0.00	0.00
Dry manure	0.00	0.00	0.00	0.00
Process wastewater	216.19	21.86	283.05	1,749.17
Fresh water	0.00	0.00	0.00	64.30
Atmospheric deposition	7.00	0.00	0.00	0.00
Total nutrients applied	223.19	21.86	283.05	1,813.47
Anticipated crop nutrient removal	160.00	25.60	132.80	0.00
Actual crop nutrient removal	171.27	19.03	215.68	1,133.95
Nutrient balance	51.92	2.83	67.38	679.51
Applied to removed ratio	1.30	1.15	1.31	1.60

Fresh water applied	
14,817,700.00	*gallons*
545.69	*acre-inches*
10.91	*inches/acre*

Process wastewater applied	
2,070,000.00	*gallons*
76.23	*acre-inches*
1.52	*inches/acre*

Total harvests for the crop	
1	*harvests*

Silva North - 06/10/2023: Corn, silage

Field name: Silva North | Crop: Corn, silage | Plant date: 06/10/2023

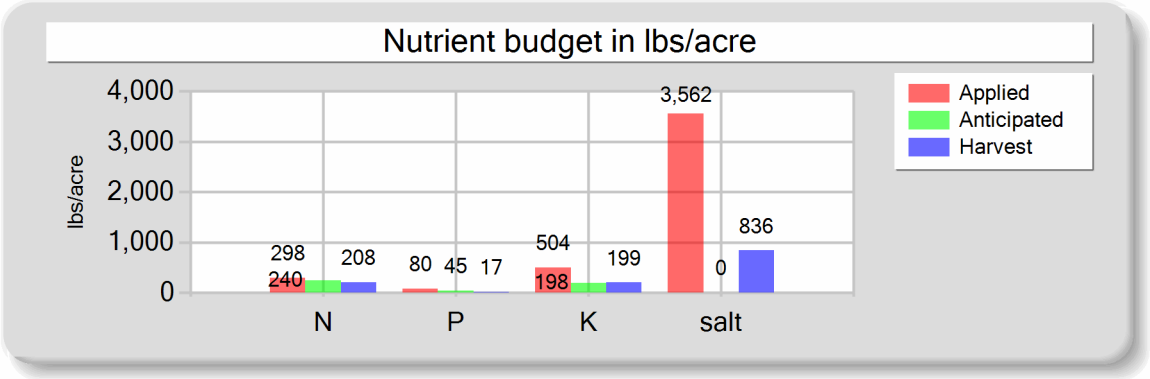

	Total N (lbs/acre)	Total P (lbs/acre)	Total K (lbs/acre)	Total salt (lbs/acre)
Existing soil nutrient content	0.00	0.00	0.00	0.00
Plowdown credit	0.00	0.00	0.00	0.00
Commercial fertilizer / Other	0.00	0.00	0.00	0.00
Dry manure	0.00	0.00	0.00	0.00
Process wastewater	291.34	80.46	504.13	3,342.59
Fresh water	0.00	0.00	0.00	219.18
Atmospheric deposition	7.00	0.00	0.00	0.00
Total nutrients applied	298.34	80.46	504.13	3,561.78
Anticipated crop nutrient removal	240.00	45.00	198.00	0.00
Actual crop nutrient removal	207.80	17.32	199.15	836.41
Nutrient balance	90.53	63.14	304.98	2,725.37
Applied to removed ratio	1.44	4.65	2.53	4.26

Fresh water applied	
50,509,750.00	*gallons*
1,860.10	*acre-inches*
37.20	*inches/acre*

Process wastewater applied	
5,472,000.00	*gallons*
201.52	*acre-inches*
4.03	*inches/acre*

Total harvests for the crop	
1	*harvests*

Silva South - 10/31/2022: Oats, silage-soft dough

Field name: Silva South | Crop: Oats, silage-soft dough | Plant date: 10/31/2022

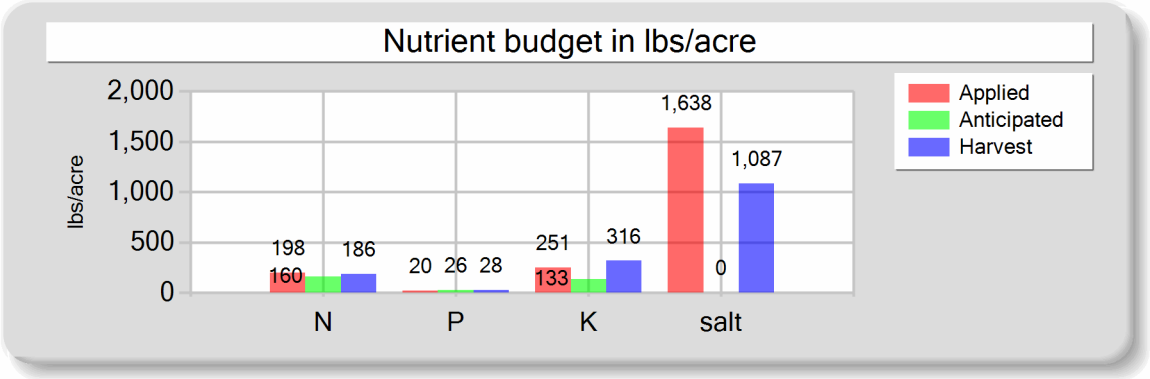

	Total N (lbs/acre)	Total P (lbs/acre)	Total K (lbs/acre)	Total salt (lbs/acre)
Existing soil nutrient content	0.00	0.00	0.00	0.00
Plowdown credit	0.00	0.00	0.00	0.00
Commercial fertilizer / Other	0.00	0.00	0.00	0.00
Dry manure	0.00	0.00	0.00	0.00
Process wastewater	191.19	20.46	251.07	1,574.40
Fresh water	0.00	0.00	0.00	63.79
Atmospheric deposition	7.00	0.00	0.00	0.00
Total nutrients applied	198.19	20.46	251.07	1,638.19
Anticipated crop nutrient removal	160.00	25.60	132.80	0.00
Actual crop nutrient removal	185.70	27.66	316.09	1,086.57
Nutrient balance	12.49	-7.20	-65.02	551.63
Applied to removed ratio	1.07	0.74	0.79	1.51

Fresh water applied	
13,230,765.00	*gallons*
487.24	*acre-inches*
10.83	*inches/acre*

Process wastewater applied	
1,710,000.00	*gallons*
62.97	*acre-inches*
1.40	*inches/acre*

Total harvests for the crop	
1	*harvests*

Silva South - 06/14/2023: Corn, silage

Field name: Silva South Crop: Corn, silage Plant date: 06/14/2023

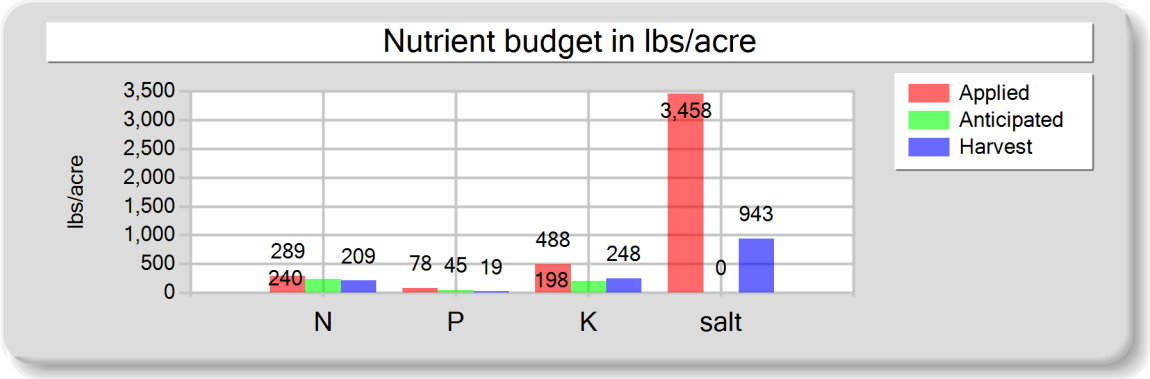

	Total N (lbs/acre)	Total P (lbs/acre)	Total K (lbs/acre)	Total salt (lbs/acre)
Existing soil nutrient content	0.00	0.00	0.00	0.00
Plowdown credit	0.00	0.00	0.00	0.00
Commercial fertilizer / Other	0.00	0.00	0.00	0.00
Dry manure	0.00	0.00	0.00	0.00
Process wastewater	282.18	77.93	488.28	3,237.53
Fresh water	0.00	0.00	0.00	220.63
Atmospheric deposition	7.00	0.00	0.00	0.00
Total nutrients applied	289.18	77.93	488.28	3,458.15
Anticipated crop nutrient removal	240.00	45.00	198.00	0.00
Actual crop nutrient removal	209.25	19.47	248.18	942.60
Nutrient balance	79.93	58.47	240.10	2,515.55
Applied to removed ratio	1.38	4.00	1.97	3.67

Fresh water applied	
45,758,775.00	*gallons*
1,685.14	*acre-inches*
37.45	*inches/acre*

Process wastewater applied	
4,770,000.00	*gallons*
175.66	*acre-inches*
3.90	*inches/acre*

Total harvests for the crop	
1	*harvests*

Taylor Triangle - 11/01/2022: Oats, silage-soft dough

Field name: Taylor Triangle Crop: Oats, silage-soft dough Plant date: 11/01/2022

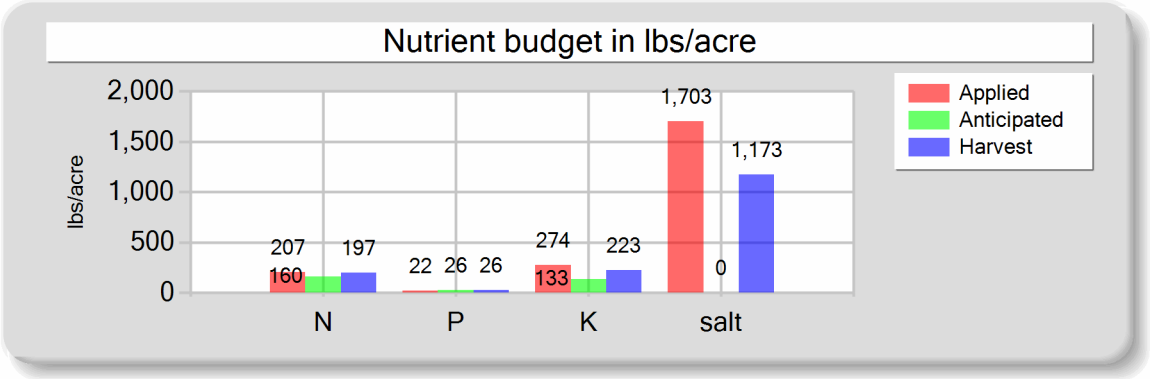

	Total N (lbs/acre)	Total P (lbs/acre)	Total K (lbs/acre)	Total salt (lbs/acre)
Existing soil nutrient content	0.00	0.00	0.00	0.00
Plowdown credit	0.00	0.00	0.00	0.00
Commercial fertilizer / Other	0.00	0.00	0.00	0.00
Dry manure	0.00	0.00	0.00	0.00
Process wastewater	199.98	22.40	274.26	1,639.22
Fresh water	0.00	0.00	0.00	64.08
Atmospheric deposition	7.00	0.00	0.00	0.00
Total nutrients applied	206.98	22.40	274.26	1,703.30
Anticipated crop nutrient removal	160.00	25.60	132.80	0.00
Actual crop nutrient removal	197.18	25.56	222.74	1,173.42
Nutrient balance	9.81	-3.16	51.52	529.88
Applied to removed ratio	1.05	0.88	1.23	1.45

Fresh water applied	
4,134,900.00	*gallons*
152.27	*acre-inches*
10.88	*inches/acre*

Process wastewater applied	
558,000.00	*gallons*
20.55	*acre-inches*
1.47	*inches/acre*

Total harvests for the crop	
1	*harvests*

Taylor Triangle - 06/13/2023: Corn, silage

Field name: Taylor Triangle Crop: Corn, silage Plant date: 06/13/2023

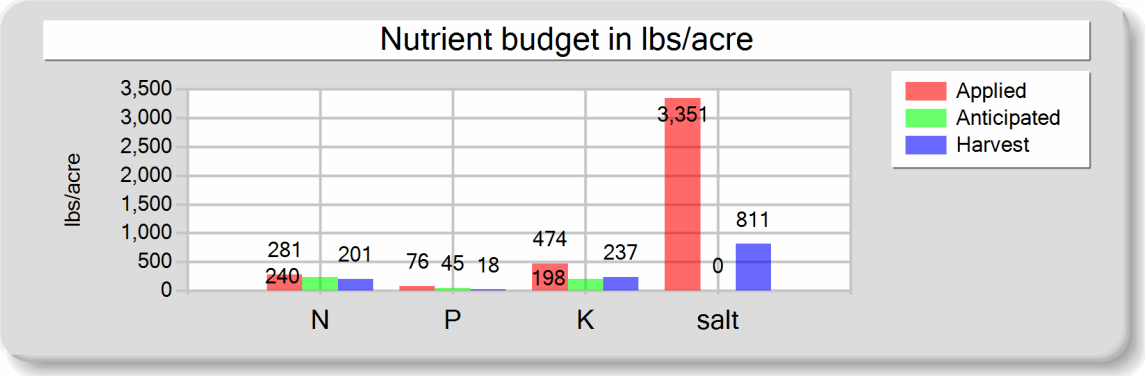

	Total N (lbs/acre)	Total P (lbs/acre)	Total K (lbs/acre)	Total salt (lbs/acre)
Existing soil nutrient content	0.00	0.00	0.00	0.00
Plowdown credit	0.00	0.00	0.00	0.00
Commercial fertilizer / Other	0.00	0.00	0.00	0.00
Dry manure	0.00	0.00	0.00	0.00
Process wastewater	273.81	75.62	473.81	3,141.53
Fresh water	0.00	0.00	0.00	209.15
Atmospheric deposition	7.00	0.00	0.00	0.00
Total nutrients applied	280.81	75.62	473.81	3,350.68
Anticipated crop nutrient removal	240.00	45.00	198.00	0.00
Actual crop nutrient removal	200.60	18.24	237.07	810.77
Nutrient balance	80.22	57.38	236.74	2,539.91
Applied to removed ratio	1.40	4.15	2.00	4.13

Fresh water applied	
13,495,231.00	*gallons*
496.98	*acre-inches*
35.50	*inches/acre*

Process wastewater applied	
1,440,000.00	*gallons*
53.03	*acre-inches*
3.79	*inches/acre*

Total harvests for the crop	
1	*harvests*

Whitehouse North - 10/31/2022: Oats, silage-soft dough

Field name: Whitehouse North Crop: Oats, silage-soft dough Plant date: 10/31/2022

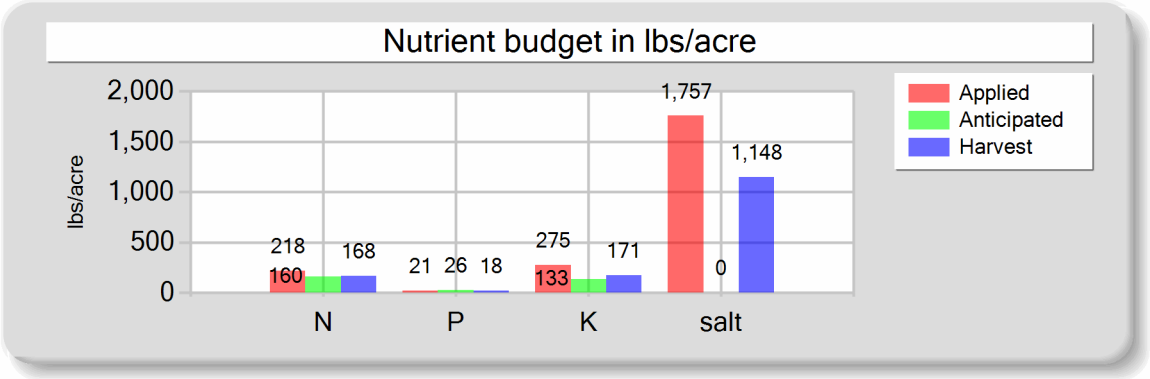

	Total N (lbs/acre)	Total P (lbs/acre)	Total K (lbs/acre)	Total salt (lbs/acre)
Existing soil nutrient content	0.00	0.00	0.00	0.00
Plowdown credit	0.00	0.00	0.00	0.00
Commercial fertilizer / Other	0.00	0.00	0.00	0.00
Dry manure	0.00	0.00	0.00	0.00
Process wastewater	210.84	20.77	275.24	1,693.87
Fresh water	0.00	0.00	0.00	63.54
Atmospheric deposition	7.00	0.00	0.00	0.00
Total nutrients applied	217.84	20.77	275.24	1,757.41
Anticipated crop nutrient removal	160.00	25.60	132.80	0.00
Actual crop nutrient removal	167.69	18.23	171.33	1,148.28
Nutrient balance	50.16	2.54	103.91	609.13
Applied to removed ratio	1.30	1.14	1.61	1.53

Fresh water applied	
7,028,328.00	*gallons*
258.83	*acre-inches*
10.78	*inches/acre*

Process wastewater applied	
954,000.00	*gallons*
35.13	*acre-inches*
1.46	*inches/acre*

Total harvests for the crop	
1	*harvests*

Whitehouse North - 06/10/2023: Corn, silage

Field name: Whitehouse North Crop: Corn, silage Plant date: 06/10/2023

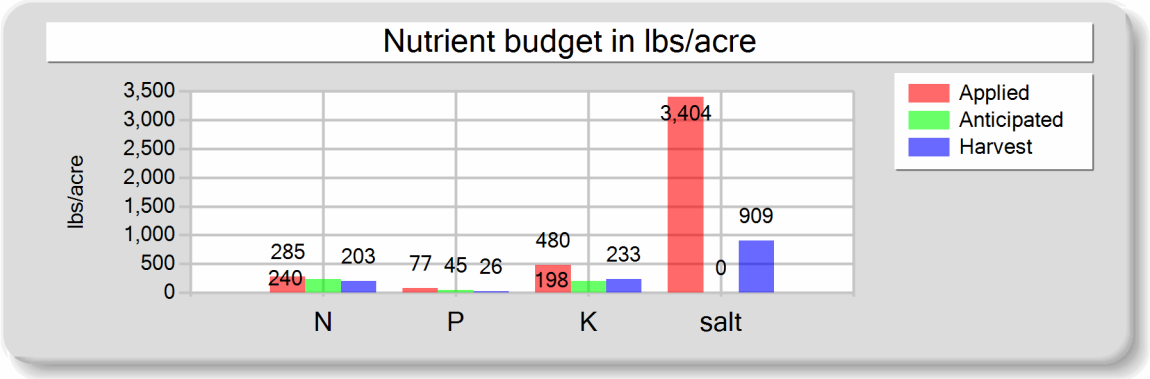

	Total N (lbs/acre)	Total P (lbs/acre)	Total K (lbs/acre)	Total salt (lbs/acre)
Existing soil nutrient content	0.00	0.00	0.00	0.00
Plowdown credit	0.00	0.00	0.00	0.00
Commercial fertilizer / Other	0.00	0.00	0.00	0.00
Dry manure	0.00	0.00	0.00	0.00
Process wastewater	277.52	76.64	480.22	3,184.08
Fresh water	0.00	0.00	0.00	220.06
Atmospheric deposition	7.00	0.00	0.00	0.00
Total nutrients applied	284.52	76.64	480.22	3,404.14
Anticipated crop nutrient removal	240.00	45.00	198.00	0.00
Actual crop nutrient removal	202.99	25.91	233.23	908.80
Nutrient balance	81.53	50.73	247.00	2,495.33
Applied to removed ratio	1.40	2.96	2.06	3.75

Fresh water applied	
24,341,932.00	*gallons*
896.43	*acre-inches*
37.35	*inches/acre*

Process wastewater applied	
2,502,000.00	*gallons*
92.14	*acre-inches*
3.84	*inches/acre*

Total harvests for the crop	
1	*harvests*

Whitehouse South - 10/31/2022: Oats, silage-soft dough

Field name: Whitehouse South | Crop: Oats, silage-soft dough | Plant date: 10/31/2022

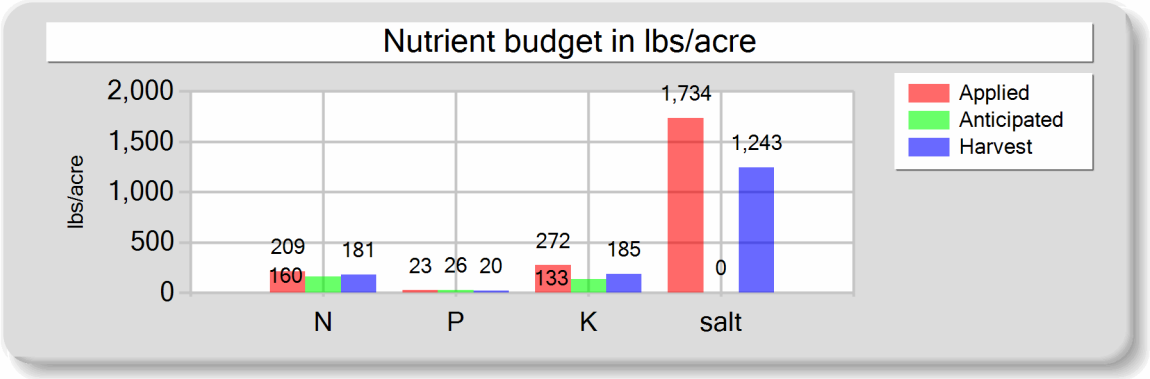

	Total N (lbs/acre)	Total P (lbs/acre)	Total K (lbs/acre)	Total salt (lbs/acre)
Existing soil nutrient content	0.00	0.00	0.00	0.00
Plowdown credit	0.00	0.00	0.00	0.00
Commercial fertilizer / Other	0.00	0.00	0.00	0.00
Dry manure	0.00	0.00	0.00	0.00
Process wastewater	201.92	22.74	271.98	1,672.79
Fresh water	0.00	0.00	0.00	61.54
Atmospheric deposition	7.00	0.00	0.00	0.00
Total nutrients applied	208.92	22.74	271.98	1,734.33
Anticipated crop nutrient removal	160.00	25.60	132.80	0.00
Actual crop nutrient removal	181.48	19.73	185.43	1,242.76
Nutrient balance	27.44	3.01	86.55	491.57
Applied to removed ratio	1.15	1.15	1.47	1.40

Fresh water applied	
3,119,930.00	*gallons*
114.90	*acre-inches*
10.45	*inches/acre*

Process wastewater applied	
450,000.00	*gallons*
16.57	*acre-inches*
1.51	*inches/acre*

Total harvests for the crop	
1	*harvests*

Whitehouse South - 06/11/2023: Corn, silage

Field name: Whitehouse South Crop: Corn, silage Plant date: 06/11/2023

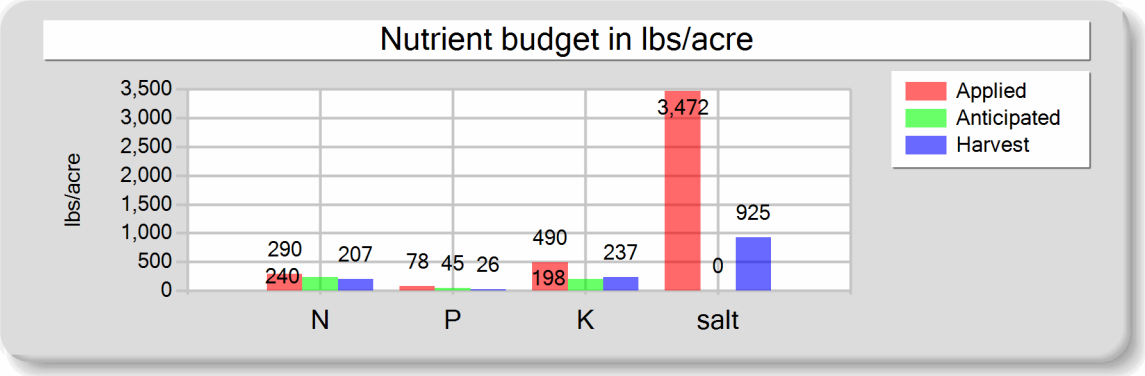

	Total N (lbs/acre)	Total P (lbs/acre)	Total K (lbs/acre)	Total salt (lbs/acre)
Existing soil nutrient content	0.00	0.00	0.00	0.00
Plowdown credit	0.00	0.00	0.00	0.00
Commercial fertilizer / Other	0.00	0.00	0.00	0.00
Dry manure	0.00	0.00	0.00	0.00
Process wastewater	283.15	78.20	489.96	3,248.63
Fresh water	0.00	0.00	0.00	223.55
Atmospheric deposition	7.00	0.00	0.00	0.00
Total nutrients applied	290.15	78.20	489.96	3,472.18
Anticipated crop nutrient removal	240.00	45.00	198.00	0.00
Actual crop nutrient removal	206.57	26.37	237.33	924.82
Nutrient balance	83.58	51.83	252.62	2,547.36
Applied to removed ratio	1.40	2.97	2.06	3.75

Fresh water applied	
11,333,345.00	*gallons*
417.37	*acre-inches*
37.94	*inches/acre*

Process wastewater applied	
1,170,000.00	*gallons*
43.09	*acre-inches*
3.92	*inches/acre*

Total harvests for the crop	
1	*harvests*

Whitehouse West - 10/31/2022: Oats, silage-soft dough

Field name: Whitehouse West | Crop: Oats, silage-soft dough | Plant date: 10/31/2022

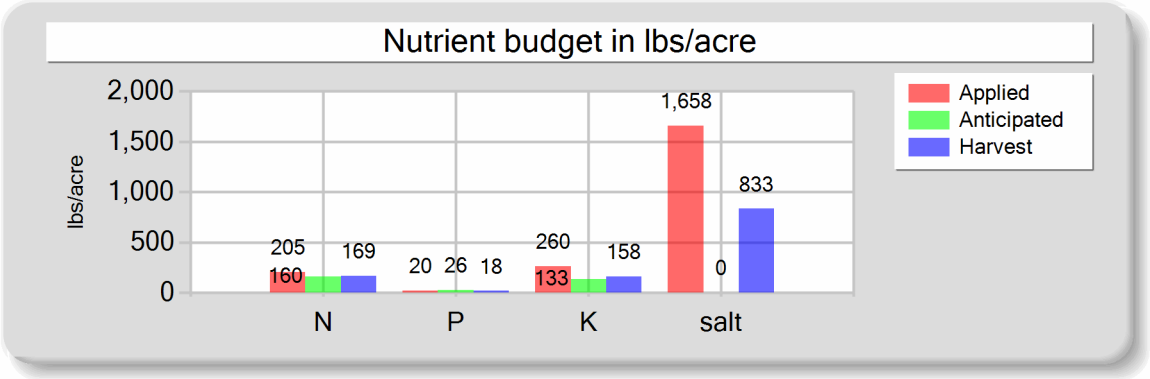

	Total N (lbs/acre)	Total P (lbs/acre)	Total K (lbs/acre)	Total salt (lbs/acre)
Existing soil nutrient content	0.00	0.00	0.00	0.00
Plowdown credit	0.00	0.00	0.00	0.00
Commercial fertilizer / Other	0.00	0.00	0.00	0.00
Dry manure	0.00	0.00	0.00	0.00
Process wastewater	197.93	19.83	259.95	1,594.35
Fresh water	0.00	0.00	0.00	64.04
Atmospheric deposition	7.00	0.00	0.00	0.00
Total nutrients applied	204.93	19.83	259.95	1,658.39
Anticipated crop nutrient removal	160.00	25.60	132.80	0.00
Actual crop nutrient removal	168.68	17.57	158.14	832.86
Nutrient balance	36.25	2.26	101.81	825.53
Applied to removed ratio	1.21	1.13	1.64	1.99

Fresh water applied	
10,035,100.00	*gallons*
369.56	*acre-inches*
10.87	*inches/acre*

Process wastewater applied	
1,278,000.00	*gallons*
47.06	*acre-inches*
1.38	*inches/acre*

Total harvests for the crop	
1	*harvests*

Whitehouse West - 06/12/2023: Corn, silage

Field name: Whitehouse West Crop: Corn, silage Plant date: 06/12/2023

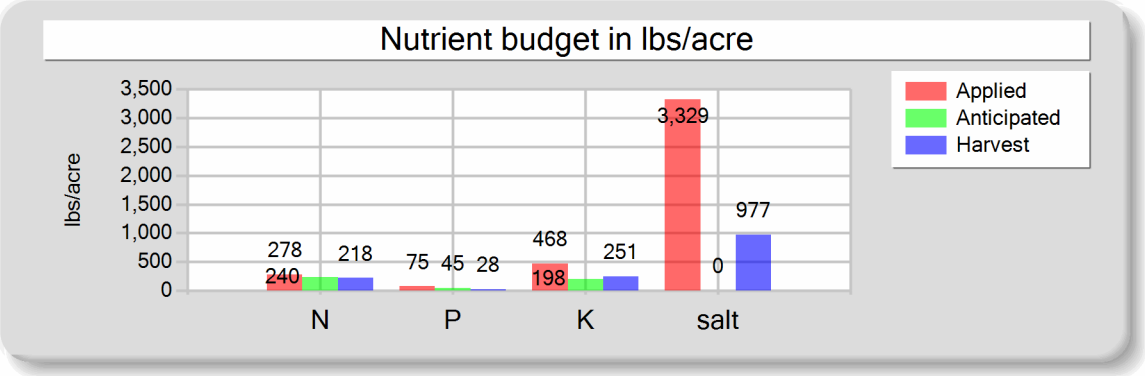

	Total N (lbs/acre)	Total P (lbs/acre)	Total K (lbs/acre)	Total salt (lbs/acre)
Existing soil nutrient content	0.00	0.00	0.00	0.00
Plowdown credit	0.00	0.00	0.00	0.00
Commercial fertilizer / Other	0.00	0.00	0.00	0.00
Dry manure	0.00	0.00	0.00	0.00
Process wastewater	270.59	74.73	468.23	3,104.58
Fresh water	0.00	0.00	0.00	224.86
Atmospheric deposition	7.00	0.00	0.00	0.00
Total nutrients applied	277.59	74.73	468.23	3,329.43
Anticipated crop nutrient removal	240.00	45.00	198.00	0.00
Actual crop nutrient removal	218.12	27.84	250.60	976.52
Nutrient balance	59.47	46.89	217.63	2,352.91
Applied to removed ratio	1.27	2.68	1.87	3.41

Fresh water applied	
35,235,728.00	*gallons*
1,297.61	*acre-inches*
38.17	*inches/acre*

Process wastewater applied	
3,456,000.00	*gallons*
127.27	*acre-inches*
3.74	*inches/acre*

Total harvests for the crop	
1	*harvests*

NUTRIENT ANALYSES

A. MANURE ANALYSES

2022 Fall Corral Solids

Sample and source description: 2022 Fall Corral Solids
Sample date: 10/13/2022 Material type: Corral solids Source of analysis: Lab analysis Method of reporting: Dry-weight
Moisture: 38.2 %

	Total N (mg/kg)	Total P (mg/kg)	Total K (mg/kg)	Calcium (mg/kg)	Magnesium (mg/kg)	Sodium (mg/kg)	Sulfur (mg/kg)	Chloride (mg/kg)	Total salt (mg/kg)	TFS (%)
Value	23,700.00	7,900.00	15,200.00							56.60
DL	100.00	100.00	100.00							0.01

Spring Corral Solids

Sample and source description: Spring Corral Solids
Sample date: 04/27/2023 Material type: Corral solids Source of analysis: Lab analysis Method of reporting: Dry-weight
Moisture: 40.2 %

	Total N (mg/kg)	Total P (mg/kg)	Total K (mg/kg)	Calcium (mg/kg)	Magnesium (mg/kg)	Sodium (mg/kg)	Sulfur (mg/kg)	Chloride (mg/kg)	Total salt (mg/kg)	TFS (%)
Value	10,900.00	2,100.00	1,400.00							75.00
DL	100.00	100.00	100.00							0.01

Fall Corral Solids

Sample and source description: Fall Corral Solids
Sample date: 10/23/2023 Material type: Corral solids Source of analysis: Lab analysis Method of reporting: Dry-weight
Moisture: 34.2 %

	Total N (mg/kg)	Total P (mg/kg)	Total K (mg/kg)	Calcium (mg/kg)	Magnesium (mg/kg)	Sodium (mg/kg)	Sulfur (mg/kg)	Chloride (mg/kg)	Total salt (mg/kg)	TFS (%)
Value	15,500.00	3,500.00	8,200.00							60.70
DL	100.00	100.00	100.00							0.01

Fall Separated Solids

Sample and source description: Fall Separated Solids

Sample date: 10/23/2023 Material type: Separator solids Source of analysis: Lab analysis Method of reporting: Dry-weight

Moisture: 43.4 %

	Total N (mg/kg)	Total P (mg/kg)	Total K (mg/kg)	Calcium (mg/kg)	Magnesium (mg/kg)	Sodium (mg/kg)	Sulfur (mg/kg)	Chloride (mg/kg)	Total salt (mg/kg)	TFS (%)
Value	9,300.00	5,500.00	4,600.00	16,000.00	5,600.00	1,100.00	7,600.00	981.00		88.60
DL	100.00	100.00	100.00	100.00	100.00	100.00	100.00	100.00		0.01

B. PROCESS WASTEWATER ANALYSES

2022 WWSQ4

Sample and source description: 2022 WWSQ4

Sample date: 10/20/2022 Material type: Process wastewater Source of analysis: Lab analysis pH:

	Kjeldahl-N (mg/L)	NH4-N (mg/L)	NH3-N (mg/L)	Nitrate-N (mg/L)	Total P (mg/L)	Total K (mg/L)	Calcium (mg/L)	Magnes. (mg/L)	Sodium (mg/L)	Bicarb. (mg/L)	Carb. (mg/L)	Sulfate (mg/L)	Chloride (mg/L)	EC (µmhos/cm)	TDS (mg/L)
Value	762.00	451.00	0.00	0.00	60.20	1,040.00								9,560.00	5,600
DL	0.50	0.50	0.50	0.50	0.50	0.50								1.00	10

WWSQ1

Sample and source description: WWSQ1

Sample date: 01/19/2023 Material type: Process wastewater Source of analysis: Lab analysis pH:

	Kjeldahl-N (mg/L)	NH4-N (mg/L)	NH3-N (mg/L)	Nitrate-N (mg/L)	Total P (mg/L)	Total K (mg/L)	Calcium (mg/L)	Magnes. (mg/L)	Sodium (mg/L)	Bicarb. (mg/L)	Carb. (mg/L)	Sulfate (mg/L)	Chloride (mg/L)	EC (µmhos/cm)	TDS (mg/L)
Value	596.00	347.00	0.00	0.00	55.20	659.00								7,050.00	5,040
DL	0.50	0.50	0.50	0.50	0.50	0.50								1.00	10

WWSQ2

Sample and source description: WWSQ2

Sample date: 05/18/2023 Material type: Process wastewater Source of analysis: Lab analysis pH:

	Kjeldahl-N (mg/L)	NH4-N (mg/L)	NH3-N (mg/L)	Nitrate-N (mg/L)	Total P (mg/L)	Total K (mg/L)	Calcium (mg/L)	Magnes. (mg/L)	Sodium (mg/L)	Bicarb. (mg/L)	Carb. (mg/L)	Sulfate (mg/L)	Chloride (mg/L)	EC (µmhos/cm)	TDS (mg/L)
Value	1,480.00	535.00	0.00	0.00	54.30	882.00	250.00	154.00	389.00	4,800.00	0.00	245.00	180.00	9,010.00	6,320
DL	0.50	0.50	0.50	0.50	0.50	0.50	0.50	0.50	0.50	0.50	0.50	0.50	0.50	1.00	10

WWSQ3

Sample and source description: WWSQ3

Sample date: 09/20/2023 Material type: Process wastewater Source of analysis: Lab analysis pH:

	Kjeldahl-N (mg/L)	NH4-N (mg/L)	NH3-N (mg/L)	Nitrate-N (mg/L)	Total P (mg/L)	Total K (mg/L)	Calcium (mg/L)	Magnes. (mg/L)	Sodium (mg/L)	Bicarb. (mg/L)	Carb. (mg/L)	Sulfate (mg/L)	Chloride (mg/L)	EC (µmhos/cm)	TDS (mg/L)
Value	319.00	199.00	0.00	0.00	88.10	552.00								4,830.00	3,660
DL	0.50	0.50	0.50	0.50	0.50	0.50								1.00	10

WWSQ4

Sample and source description: WWSQ4

Sample date: 12/12/2023 Material type: Process wastewater Source of analysis: Lab analysis pH:

	Kjeldahl-N (mg/L)	NH4-N (mg/L)	NH3-N (mg/L)	Nitrate-N (mg/L)	Total P (mg/L)	Total K (mg/L)	Calcium (mg/L)	Magnes. (mg/L)	Sodium (mg/L)	Bicarb. (mg/L)	Carb. (mg/L)	Sulfate (mg/L)	Chloride (mg/L)	EC (µmhos/cm)	TDS (mg/L)
Value	910.00	428.00	0.00	0.00	83.20	719.00								6,460.00	5,960
DL	0.50	0.50	0.50	0.50	0.50	0.50								1.00	10

C. FRESH WATER ANALYSES

Canal

Canal

T.I.D Canal

Sample description: T.I.D Canal

Sample date: 07/25/2023 Source of analysis: Lab analysis

	Total N (mg/L)	NH4-N (mg/L)	Nitrate-N (mg/L)	Calcium (mg/L)	Magnesium (mg/L)	Sodium (mg/L)	Bicarbonate (mg/L)	Carbonate (mg/L)	Sulfate (mg/L)	Chloride (mg/L)	EC (µmhos/cm)	TDS (mg/L)
Value	0.00	0.00	0.00								31.10	26
DL	0.50	0.50	0.50								1.00	10

D. SOIL ANALYSES

No soil analyses entered.

E. PLANT TISSUE ANALYSES

Bettencourt - 10/27/2022: Oats, silage-soft dough

Winter Forage

Sample and source description: Winter Forage

Sample date: 05/03/2023 Source of analysis: Lab analysis Method of reporting: As-is

Moisture: 60.6 %

	Total N (mg/kg)	Total P (mg/kg)	Total K (mg/kg)	Total salt (mg/kg)	TFS (%)
Value	6,100.00	700.00	7,000.00		10.50
DL	100.00	100.00	100.00		0.01

Bills Field - 11/01/2022: Oats, silage-soft dough

Bills Field - 11/01/2022: Oats, silage-soft dough

Winter Forage

Sample and source description: Winter Forage

Sample date: 05/03/2023 Source of analysis: Lab analysis Method of reporting: As-is

Moisture: 66.4 %

	Total N (mg/kg)	Total P (mg/kg)	Total K (mg/kg)	Total salt (mg/kg)	TFS (%)
Value	6,500.00	700.00	6,300.00		8.30
DL	100.00	100.00	100.00		0.01

Bills Field - 06/15/2023: Corn, silage

Corn Silage

Sample and source description: Corn Silage

Sample date: 10/09/2023 Source of analysis: Lab analysis Method of reporting: As-is

Moisture: 71.0 %

	Total N (mg/kg)	Total P (mg/kg)	Total K (mg/kg)	Total salt (mg/kg)	TFS (%)
Value	3,700.00	300.00	4,200.00		6.10
DL	100.00	100.00	100.00		0.01

Clark - 11/01/2022: Oats, silage-soft dough

Winter Forage

Sample and source description: Winter Forage

Sample date: 05/03/2023 Source of analysis: Lab analysis Method of reporting: As-is

Moisture: 68.8 %

	Total N (mg/kg)	Total P (mg/kg)	Total K (mg/kg)	Total salt (mg/kg)	TFS (%)
Value	5,400.00	700.00	6,100.00		10.30
DL	100.00	100.00	100.00		0.01

Clark - 06/13/2023: Corn, silage

Corn Silage

Sample and source description: Corn Silage

Sample date: 10/09/2023 Source of analysis: Lab analysis Method of reporting: As-is

Moisture: 68.8 %

	Total N (mg/kg)	Total P (mg/kg)	Total K (mg/kg)	Total salt (mg/kg)	TFS (%)
Value	4,400.00	400.00	5,200.00		5.70
DL	100.00	100.00	100.00		0.01

Dairy West - 11/01/2022: Oats, silage-soft dough

Winter Forage

Sample and source description: Winter Forage

Sample date: 05/03/2023 Source of analysis: Lab analysis Method of reporting: As-is

Moisture: 66.4 %

	Total N (mg/kg)	Total P (mg/kg)	Total K (mg/kg)	Total salt (mg/kg)	TFS (%)
Value	6,500.00	700.00	6,300.00		8.30
DL	100.00	100.00	100.00		0.01

Dairy West - 06/15/2023: Corn, silage

Corn Silage

Sample and source description: Corn Silage

Sample date: 10/09/2023 Source of analysis: Lab analysis Method of reporting: As-is

Moisture: 71.0 %

	Total N (mg/kg)	Total P (mg/kg)	Total K (mg/kg)	Total salt (mg/kg)	TFS (%)
Value	3,700.00	300.00	4,200.00		6.10
DL	100.00	100.00	100.00		0.01

Johnson - 11/01/2022: Oats, silage-soft dough

Winter Forage

Sample and source description: Winter Forage

Sample date: 05/16/2023 Source of analysis: Lab analysis Method of reporting: As-is

Moisture: 73.4 %

	Total N (mg/kg)	Total P (mg/kg)	Total K (mg/kg)	Total salt (mg/kg)	TFS (%)
Value	5,100.00	900.00	8,000.00		10.80
DL	100.00	100.00	100.00		0.01

Johnson - 06/12/2023: Corn, silage

Corn Silage

Sample and source description: Corn Silage

Sample date: 10/09/2023 Source of analysis: Lab analysis Method of reporting: As-is

Moisture: 68.6 %

	Total N (mg/kg)	Total P (mg/kg)	Total K (mg/kg)	Total salt (mg/kg)	TFS (%)
Value	4,100.00	500.00	4,500.00		5.50
DL	100.00	100.00	100.00		0.01

Silva North - 10/31/2022: Oats, silage-soft dough

Winter Forage

Sample and source description: Winter Forage

Sample date: 05/03/2023 Source of analysis: Lab analysis Method of reporting: As-is

Moisture: 67.2 %

	Total N (mg/kg)	Total P (mg/kg)	Total K (mg/kg)	Total salt (mg/kg)	TFS (%)
Value	5,400.00	600.00	6,800.00		10.90
DL	100.00	100.00	100.00		0.01

Silva North - 06/10/2023: Corn, silage

Corn Silage

Sample and source description: Corn Silage

Sample date: 10/09/2023 Source of analysis: Lab analysis Method of reporting: As-is

Moisture: 67.8 %

	Total N (mg/kg)	Total P (mg/kg)	Total K (mg/kg)	Total salt (mg/kg)	TFS (%)
Value	4,800.00	400.00	4,600.00		6.00
DL	100.00	100.00	100.00		0.01

Silva South - 10/31/2022: Oats, silage-soft dough

Winter Forage

Sample and source description: Winter Forage

Sample date: 05/16/2023 Source of analysis: Lab analysis Method of reporting: As-is

Moisture: 68.2 %

	Total N (mg/kg)	Total P (mg/kg)	Total K (mg/kg)	Total salt (mg/kg)	TFS (%)
Value	6,100.00	1,000.00	10,300.00		11.00
DL	100.00	100.00	100.00		0.01

Silva South - 06/14/2023: Corn, silage

Corn Silage

Sample and source description: Corn Silage

Sample date: 10/09/2023 Source of analysis: Lab analysis Method of reporting: As-is

Moisture: 70.2 %

	Total N (mg/kg)	Total P (mg/kg)	Total K (mg/kg)	Total salt (mg/kg)	TFS (%)
Value	4,300.00	400.00	5,100.00		6.50
DL	100.00	100.00	100.00		0.01

Taylor Triangle - 11/01/2022: Oats, silage-soft dough

Winter Forage

Sample and source description: Winter Forage

Sample date: 05/03/2023 Source of analysis: Lab analysis Method of reporting: As-is

Moisture: 68.8 %

	Total N (mg/kg)	Total P (mg/kg)	Total K (mg/kg)	Total salt (mg/kg)	TFS (%)
Value	5,400.00	700.00	6,100.00		10.30
DL	100.00	100.00	100.00		0.01

Taylor Triangle - 06/13/2023: Corn, silage

Corn Silage

Sample and source description: Corn Silage

Sample date: 10/09/2023 Source of analysis: Lab analysis Method of reporting: As-is

Moisture: 68.8 %

	Total N (mg/kg)	Total P (mg/kg)	Total K (mg/kg)	Total salt (mg/kg)	TFS (%)
Value	4,400.00	400.00	5,200.00		5.70
DL	100.00	100.00	100.00		0.01

Whitehouse North - 10/31/2022: Oats, silage-soft dough

Winter Forage

Sample and source description: Winter Forage

Sample date: 05/03/2023 Source of analysis: Lab analysis Method of reporting: As-is

Moisture: 60.6 %

	Total N (mg/kg)	Total P (mg/kg)	Total K (mg/kg)	Total salt (mg/kg)	TFS (%)
Value	6,100.00	700.00	7,000.00		10.50
DL	100.00	100.00	100.00		0.01

Whitehouse North - 06/10/2023: Corn, silage

Corn Silage

Sample and source description: Corn Silage

Sample date: 10/09/2023 Source of analysis: Lab analysis Method of reporting: As-is

Moisture: 66.6 %

	Total N (mg/kg)	Total P (mg/kg)	Total K (mg/kg)	Total salt (mg/kg)	TFS (%)
Value	4,700.00	600.00	5,400.00		6.30
DL	100.00	100.00	100.00		0.01

Whitehouse South - 10/31/2022: Oats, silage-soft dough

Winter Forage

Sample and source description: Winter Forage

Sample date: 05/03/2023 Source of analysis: Lab analysis Method of reporting: As-is

Moisture: 60.6 %

	Total N (mg/kg)	Total P (mg/kg)	Total K (mg/kg)	Total salt (mg/kg)	TFS (%)
Value	6,100.00	700.00	7,000.00		10.50
DL	100.00	100.00	100.00		0.01

Whitehouse South - 06/11/2023: Corn, silage

Corn Silage

Sample and source description: Corn Silage

Sample date: 10/09/2023 Source of analysis: Lab analysis Method of reporting: As-is

Moisture: 66.6 %

	Total N (mg/kg)	Total P (mg/kg)	Total K (mg/kg)	Total salt (mg/kg)	TFS (%)
Value	4,700.00	600.00	5,400.00		6.30
DL	100.00	100.00	100.00		0.01

Whitehouse West - 10/31/2022: Oats, silage-soft dough

Winter Forage

Sample and source description: Winter Forage

Sample date: 05/03/2023 Source of analysis: Lab analysis Method of reporting: As-is

Moisture: 54.0 %

	Total N (mg/kg)	Total P (mg/kg)	Total K (mg/kg)	Total salt (mg/kg)	TFS (%)
Value	7,500.00	800.00	8,400.00		7.90
DL	100.00	100.00	100.00		0.01

Whitehouse West - 06/12/2023: Corn, silage

Corn Silage

Sample and source description: Corn Silage

Sample date: 10/09/2023 Source of analysis: Lab analysis Method of reporting: As-is

Moisture: 68.0 %

	Total N (mg/kg)	Total P (mg/kg)	Total K (mg/kg)	Total salt (mg/kg)	TFS (%)
Value	4,000.00	400.00	4,600.00		6.30
DL	100.00	100.00	100.00		0.01

F. SUBSURFACE (TILE) DRAINAGE ANALYSES

No subsurface (tile) drainage analyses entered.

NUTRIENT APPLICATIONS, POTENTIAL REMOVAL, AND BALANCE

A. SUMMARY OF NUTRIENT APPLICATIONS, POTENTIAL REMOVAL, AND BALANCE

	Total N (lbs)	Total P (lbs)	Total K (lbs)	Total salt (lbs)
Existing soil nutrient content	0.00	0.00	0.00	0.00
Plowdown credit	0.00	0.00	0.00	0.00
Commercial fertilizer / Other	0.00	0.00	0.00	0.00
Dry manure	64,743.48	16,483.01	22,934.78	3,174,347.45
Process wastewater	116,689.44	23,772.20	181,433.10	1,175,891.95
Fresh water	0.00	0.00	0.00	104,523.63
Atmospheric deposition	5,320.00	0.00	0.00	0.00
Total nutrients applied	186,752.91	40,255.21	204,367.88	4,454,763.03
Anticipated crop nutrient removal	152,000.00	26,607.20	125,704.00	0.00
Actual crop nutrient removal	147,204.55	16,035.56	167,638.35	735,192.16
Nutrient balance	39,548.36	24,219.66	36,729.53	3,719,570.87
Applied to removed ratio	1.27	2.51	1.22	6.06

B. POUNDS OF NUTRIENT APPLIED VS. CROP REMOVAL

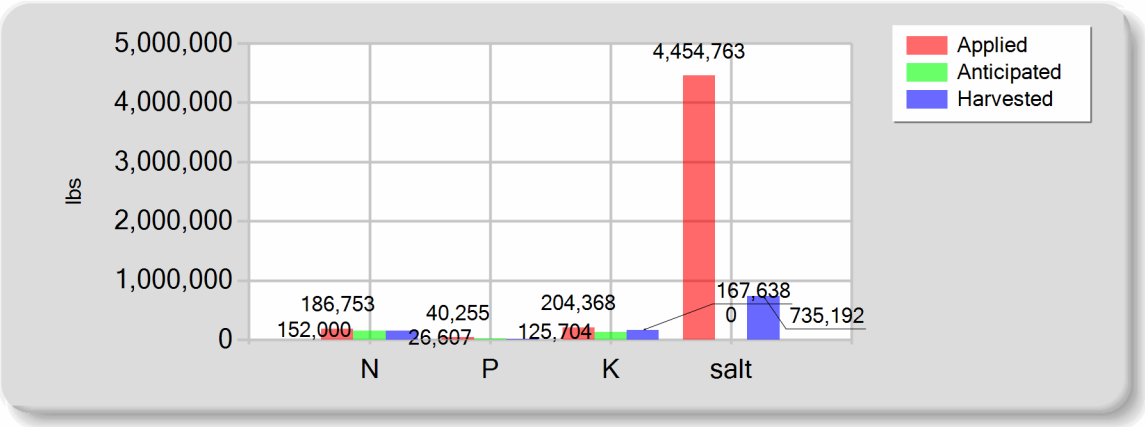

C. POUNDS OF NUTRIENT APPLIED BY MATERIAL TYPE

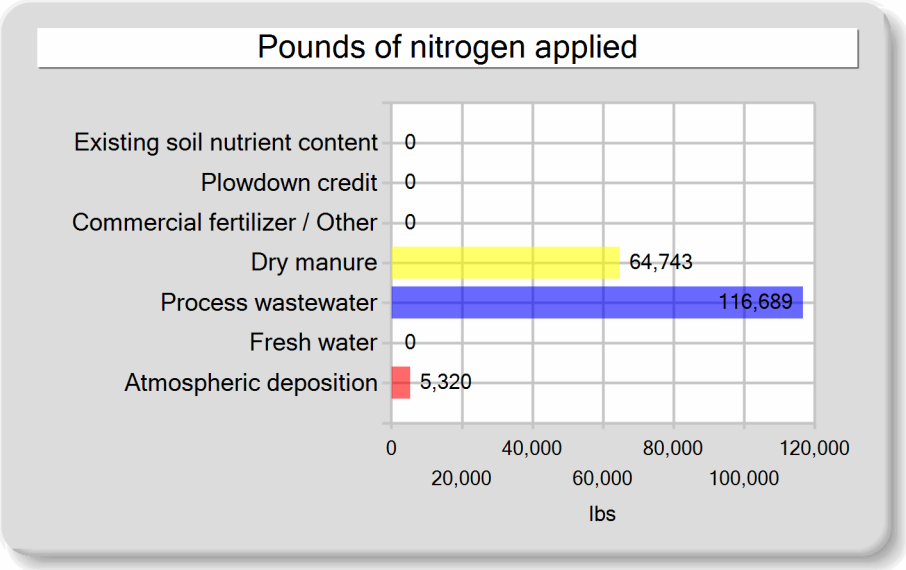

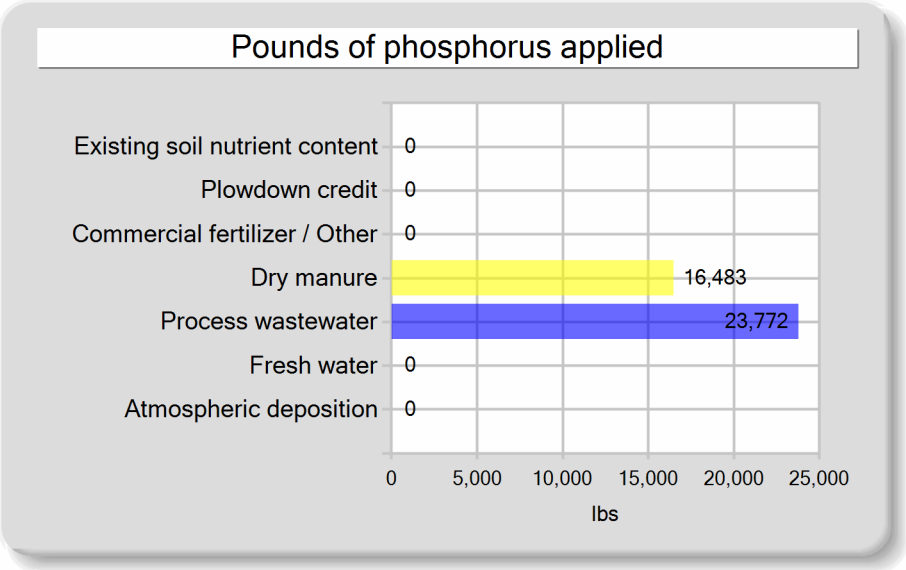

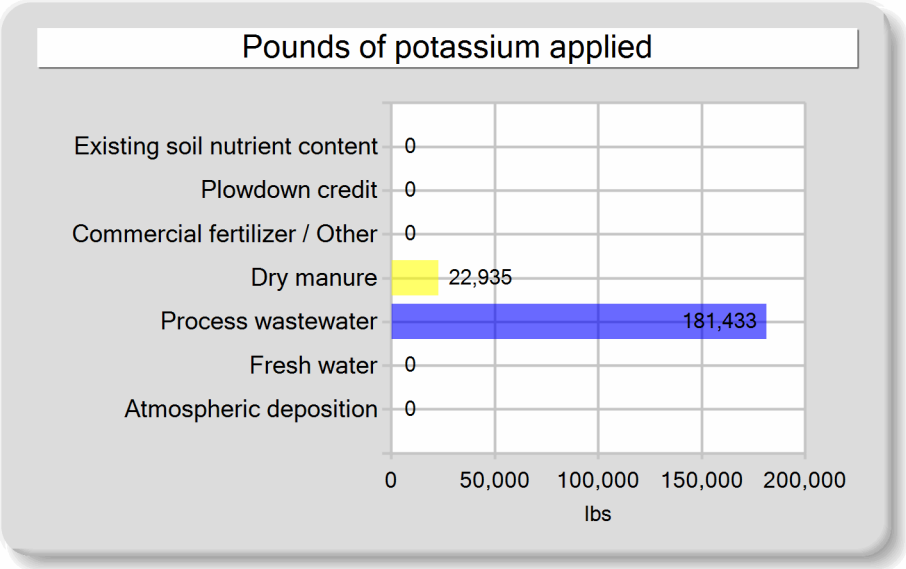

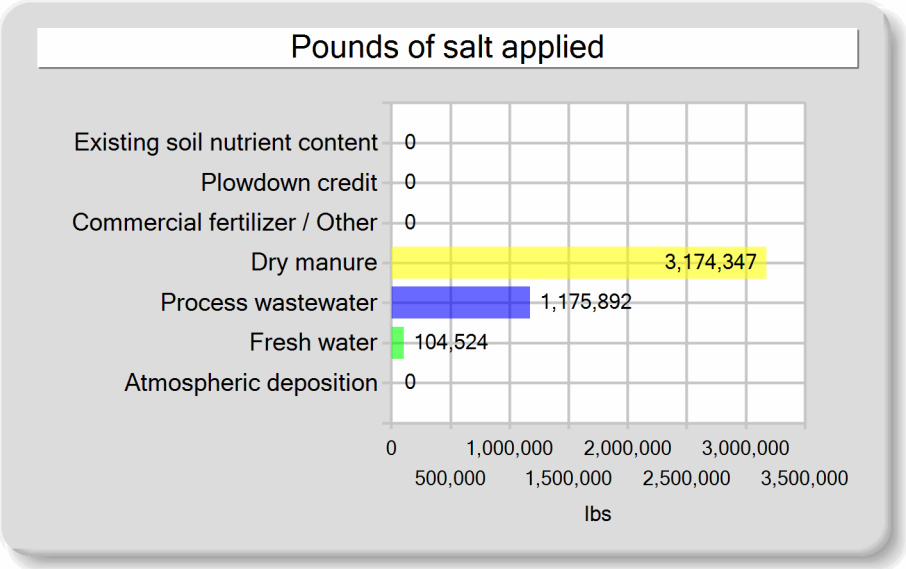

EXCEPTION REPORTING

A. MANURE, PROCESS WASTEWATER, AND OTHER DAIRY WASTE DISCHARGES

The following is a summary of all manure and process wastewater discharges from the production area to surface water or to land areas (land application areas or otherwise) when not in accordance with the facility's Nutrient Management Plan.

No manure or process wastewater discharges occurred during the reporting period.

B. STORM WATER DISCHARGES

The following is a summary of all storm water discharges from the production area to surface water during the reporting period when not in accordance with the facility 's Nutrient Management Plan.

No stormwater discharges occurred during the reporting period.

C. LAND APPLICATION AREA TO SURFACE WATER DISCHARGES

The following is a summary of all discharges from the land application area to surface water that have occurred during the reporting period when not in accordance with the facility's Nutrient Management Plan.

No land application area to surface water discharges occurred during the reporting period.

NUTRIENT MANAGEMENT PLAN AND EXPORT AGREEMENT STATEMENTS

A. NUTRIENT MANAGEMENT PLAN STATEMENTS

Was the facility's NMP updated in the reporting period?	No
Was the facility's NMP developed by a certified nutrient management planner (specialist) as specified in Attachment C of the General Order?	Yes
Was the facility's NMP approved by a certified nutrient management planner (specialist) as specified in Attachment C of the General Order?	Yes

B. EXPORT AGREEMENT STATEMENT

Are there any written agreements with third parties to receive manure or process wastewater that are new or were revised within the reporting period?	No

ADDITIONAL NOTES

A. NOTES

No notes entered for this annual report.

CERTIFICATION

A. OWNER AND/OR OPERATOR CERTIFICATION

I certify under penalty of law that I have personally examined and am familiar with the information submitted in this document and all attachments and that, based on my inquiry of those individuals immediately responsible for obtaining the information, I believe that the information is true, accurate, and complete. I am aware that there are significant penalties for submitting false information, including the possibility of fine and imprisonment.

Sabino A. Herrera Sabino A. Herrera (May 20, 2024 10:41 PDT)	Sabino A. Herrera Sabino A. Herrera (May 20, 2024 10:41 PDT)
SIGNATURE OF OWNER OF FACILITY	SIGNATURE OF OPERATOR OF FACILITY
Sabino Herrera Ahlem	SAME AS OWNER
PRINT OR TYPE NAME	PRINT OR TYPE NAME
May 20, 2024	May 20, 2024
DATE	DATE

ATTACHMENTS

A. REQUIRED ATTACHMENTS

The following lists the required documents that should be attached to the Annual Report when submitted .

Annual Dairy Facility Assessment
Provide an Annual Dairy Facility Assessment (an update to the Preliminary Dairy Facility Assessment in Attachment A) for each reporting period. On the PDFA Final page, click on the ADFA Report button to generate an ADFA report after updating information as needed .

Manure/Process Wastewater Tracking Manifests
Provide copies of all manure/process wastewater tracking manifests for the reporting period, signed by both the owner/operator and the hauler.

Corrective Actions Documents
Provide records documenting any corrective actions taken to correct deficiencies noted as a result of the inspections required in the Monitoring Requirements of the General Order. Deficiencies not corrected in 30 days must be accompanied by an explanation of the factors preventing immediate correction.

Groundwater Monitoring
Dischargers that monitor supply wells or subsurface (tile) drainage systems, or that have monitoring well systems must submit monitoring results as directed in the General Order, Groundwater Reporting Section starting on page MRP-13.

Storm Water Monitoring
Dischargers that are required to monitor storm water more frequently than required in the General Order must submit monitoring results as directed in the General Order, Storm Water Reporting Section on page MRP-14.

Denele Analytical, Inc.

865 South Kilroy Avenue Turlock, CA 95380
Phone (209) 634-9055 - Fax (209) 634-9057

www.denelelabs.com

40 N. East Street, Woodland, CA 95776
Phone (530) 666-9056 - Fax (530) 666-9058

Compliance Analysis Report

Customer
Ahlem Farms Vista
24093 American Avenue
Hilmar, CA 95324

Grower

Consultant:
F & R Ag Services
2857 Geer Rd. Ste A
Turlock, CA 95382

PURCHASE ORDER:
RECEIVED DATE: 12/8/23 2:25 PM
SUBMITTED BY: Albert
ANALYZED DATE: 12/11/23

Irrigation/ Ground Water (H1)
SOURCE: Well Water

NOTES: Temperature above qualifying at 20.2C

Sample ID	Lab ID	Analyte	Method Ref	Result	Units
DW A MILK BARN	T3342034A	Electrical Conductivity (EC)	EPA 120.1 and	0.217	mmhos/cm
		Nitrate Nitrogen (NO3-N)	EPA 353.2	1.43	mg/L
		Ammonia Nitrogen (NH3-N)	SM 4500-NH3 D,C	< 0.500	mg/L
		Soluble Salts (SALT-SOL)	Calculation	139	mg/L

Laboratory Quality Control	LCS %	MS %	MSD %	RPD %
Ammonia Nitrogen (NH3-N)	90.4	98.2 (T3342032A)	100 (T3342032A)	1.81
Electrical Conductivity (EC)	95.9			2.19
Nitrate Nitrogen (NO3-N)	101	106 (T3342022A)	105 (T3342022A)	1.10

The warranty of Denele Analytical is limited to the accuracy of the analyses of the samples as received. Denele Analytical assumes no responsibility for which the customer uses our test results, nor liability for any other warranties, express or implied. These terms and conditions shall supercede any conflicting terms and conditions submitted on customer purchase orders or other forms submitted for work.

ELAP Certificate No.: 2714

Denele Analytical, Inc.

865 South Kilroy Avenue Turlock, CA 95380
Phone (209) 634-9055 - Fax (209) 634-9057

www.denelelabs.com

40 N. East Street, Woodland, CA 95776
Phone (530) 666-9056 - Fax (530) 666-9058

Compliance Analysis Report

Customer
Ahlem Farms Vista
24093 American Avenue
Hilmar, CA 95324

Grower

Consultant:
F & R Ag Services
2857 Geer Rd. Ste A
Turlock, CA 95382

PURCHASE ORDER:
RECEIVED DATE: 12/8/23 2:25 PM
SUBMITTED BY: Albert
ANALYZED DATE: 12/11/23

Irrigation/ Ground Water (H1)
SOURCE: Well Water

NOTES: Temperature above qualifying at 19.4C

Sample ID	Lab ID	Analyte	Method Ref	Result	Units
DW A	T3342034B	Electrical Conductivity (EC)	EPA 120.1 and	0.227	mmhos/cm
		Nitrate Nitrogen (NO3-N)	EPA 353.2	2.58	mg/L
		Ammonia Nitrogen (NH3-N)	SM 4500-NH3 D,C	< 0.500	mg/L
		Soluble Salts (SALT-SOL)	Calculation	145	mg/L

Laboratory Quality Control	LCS %	MS %	MSD %	RPD %
Ammonia Nitrogen (NH3-N)	90.4	98.2 (T3342032A)	100 (T3342032A)	1.81
Electrical Conductivity (EC)	95.9			2.19
Nitrate Nitrogen (NO3-N)	101	106 (T3342022A)	105 (T3342022A)	1.10

The warranty of Denele Analytical is limited to the accuracy of the analyses of the samples as received. Denele Analytical assumes no responsibility for which the customer uses our test results, nor liability for any other warranties, express or implied. These terms and conditions shall supercede any conflicting terms and conditions submitted on customer purchase orders or other forms submitted for work.

ELAP Certificate No.: 2714

Denele Analytical, Inc.

865 South Kilroy Avenue Turlock, CA 95380
Phone (209) 634-9055 - Fax (209) 634-9057

40 N. East Street, Woodland, CA 95776
Phone (530) 666-9056 - Fax (530) 666-9058

www.denelelabs.com

Compliance Analysis Report

Customer
Ahlem Farms Vista
24093 American Avenue
Hilmar, CA 95324

Grower

Consultant:
F & R Ag Services
2857 Geer Rd. Ste A
Turlock, CA 95382

PURCHASE ORDER:
RECEIVED DATE: 12/8/23 2:25 PM
SUBMITTED BY: Albert
ANALYZED DATE: 12/11/23

Irrigation/ Ground Water (H1)
SOURCE: Well Water

NOTES: Temperature above qualifying at 19.8C

Sample ID	Lab ID	Analyte	Method Ref	Result	Units
DW B	T3342034C	Electrical Conductivity (EC)	EPA 120.1 and	0.430	mmhos/cm
		Nitrate Nitrogen (NO3-N)	EPA 353.2	11.5	mg/L
		Ammonia Nitrogen (NH3-N)	SM 4500-NH3 D,C	< 0.500	mg/L
		Soluble Salts (SALT-SOL)	Calculation	275	mg/L

Laboratory Quality Control	LCS %	MS %	MSD %	RPD %
Ammonia Nitrogen (NH3-N)	90.4	98.2 (T3342032A)	100 (T3342032A)	1.81
Electrical Conductivity (EC)	95.9			2.19
Nitrate Nitrogen (NO3-N)	100	105 (T3347004A)	102 (T3347004A)	3.32

The warranty of Denele Analytical is limited to the accuracy of the analyses of the samples as received. Denele Analytical assumes no responsibility for which the customer uses our test results, nor liability for any other warranties, express or implied. These terms and conditions shall supercede any conflicting terms and conditions submitted on customer purchase orders or other forms submitted for work.

Denele Analytical, Inc.

865 South Kilroy Avenue Turlock, CA 95380
Phone (209) 634-9055 - Fax (209) 634-9057

www.denelelabs.com

40 N. East Street, Woodland, CA 95776
Phone (530) 666-9056 - Fax (530) 666-9058

Compliance Analysis Report

Customer
Ahlem Farms Vista
24093 American Avenue
Hilmar, CA 95324

Grower

Consultant:
F & R Ag Services
2857 Geer Rd. Ste A
Turlock, CA 95382

PURCHASE ORDER:
RECEIVED DATE: 12/8/23 2:25 PM
SUBMITTED BY: Albert
ANALYZED DATE: 12/11/23

Irrigation/ Ground Water (H1)
SOURCE: Well Water

NOTES: Temperature above qualifying at 19.8C

Sample ID	Lab ID	Analyte	Method Ref	Result	Units
DW C	T3342034D	Electrical Conductivity (EC)	EPA 120.1 and	0.428	mmhos/cm
		Nitrate Nitrogen (NO3-N)	EPA 353.2	11.7	mg/L
		Ammonia Nitrogen (NH3-N)	SM 4500-NH3 D,C	< 0.500	mg/L
		Soluble Salts (SALT-SOL)	Calculation	274	mg/L

Laboratory Quality Control	LCS %	MS %	MSD %	RPD %
Ammonia Nitrogen (NH3-N)	90.4	98.2 (T3342032A)	100 (T3342032A)	1.81
Electrical Conductivity (EC)	95.9			2.19
Nitrate Nitrogen (NO3-N)	100	105 (T3347004A)	102 (T3347004A)	3.32

The warranty of Denele Analytical is limited to the accuracy of the analyses of the samples as received. Denele Analytical assumes no responsibility for which the customer uses our test results, nor liability for any other warranties, express or implied. These terms and conditions shall supercede any conflicting terms and conditions submitted on customer purchase orders or other forms submitted for work.

ELAP Certificate No.: 2714

Denele Analytical, Inc.

865 South Kilroy Avenue Turlock, CA 95380
Phone (209) 634-9055 - Fax (209) 634-9057

www.denelelabs.com

40 N. East Street, Woodland, CA 95776
Phone (530) 666-9056 - Fax (530) 666-9058

Compliance Analysis Report

Customer
Ahlem Farms Vista
24093 American Avenue
Hilmar, CA 95324

Grower

Consultant:
F & R Ag Services
2857 Geer Rd. Ste A
Turlock, CA 95382

PURCHASE ORDER:
RECEIVED DATE: 12/8/23 2:25 PM
SUBMITTED BY: Albert
ANALYZED DATE: 12/11/23

Irrigation/ Ground Water (H1)
SOURCE: Well Water

NOTES: Temperature above qualifying at 19.8C

Sample ID	Lab ID	Analyte	Method Ref	Result	Units
DW SILVA HOUSE	T3342034E	Electrical Conductivity (EC)	EPA 120.1 and	0.590	mmhos/cm
		Nitrate Nitrogen (NO3-N)	EPA 353.2	19.1	mg/L
		Ammonia Nitrogen (NH3-N)	SM 4500-NH3 D,C	< 0.500	mg/L
		Soluble Salts (SALT-SOL)	Calculation	378	mg/L

Laboratory Quality Control	LCS %	MS %	MSD %	RPD %
Ammonia Nitrogen (NH3-N)	90.4	98.2 (T3342032A)	100 (T3342032A)	1.81
Electrical Conductivity (EC)	95.9			2.19
Nitrate Nitrogen (NO3-N)	100	105 (T3347004A)	102 (T3347004A)	3.32

The warranty of Denele Analytical is limited to the accuracy of the analyses of the samples as received. Denele Analytical assumes no responsibility for which the customer uses our test results, nor liability for any other warranties, express or implied. These terms and conditions shall supercede any conflicting terms and conditions submitted on customer purchase orders or other forms submitted for work.

Denele Analytical, Inc.

865 South Kilroy Avenue Turlock, CA 95380
Phone (209) 634-9055 - Fax (209) 634-9057

40 N. East Street, Woodland, CA 95776
Phone (530) 666-9056 - Fax (530) 666-9058

www.denelelabs.com

Compliance Analysis Report

Customer
Ahlem Farms Vista
24093 American Avenue
Hilmar, CA 95324

Grower

Consultant:
F & R Ag Services
2857 Geer Rd. Ste A
Turlock, CA 95382

PURCHASE ORDER:
RECEIVED DATE: 12/8/23 2:25 PM
SUBMITTED BY: Albert
ANALYZED DATE: 12/11/23

Irrigation/ Ground Water (H1)
SOURCE: Well Water

NOTES: Temperature above qualifying at 19.2C

Sample ID	Lab ID	Analyte	Method Ref	Result	Units
DW B SILVA SOUTH	T3342034F	Electrical Conductivity (EC)	EPA 120.1 and	0.492	mmhos/cm
		Nitrate Nitrogen (NO3-N)	EPA 353.2	14.0	mg/L
		Ammonia Nitrogen (NH3-N)	SM 4500-NH3 D,C	< 0.500	mg/L
		Soluble Salts (SALT-SOL)	Calculation	315	mg/L

Laboratory Quality Control	LCS %	MS %	MSD %	RPD %
Ammonia Nitrogen (NH3-N)	90.4	98.2 (T3342032A)	100 (T3342032A)	1.81
Electrical Conductivity (EC)	95.9			2.19
Nitrate Nitrogen (NO3-N)	100	105 (T3347004A)	102 (T3347004A)	3.32

The warranty of Denele Analytical is limited to the accuracy of the analyses of the samples as received. Denele Analytical assumes no responsibility for which the customer uses our test results, nor liability for any other warranties, express or implied. These terms and conditions shall supercede any conflicting terms and conditions submitted on customer purchase orders or other forms submitted for work.

DENELE ANALYTICAL, INC.

865 S. KILROY
TURLOCK, CA 95380

PH# 209-634-9055 FAX# 209-634-9057

DAIRY COMPLIANCE

Client: Ahlem Farms Vista (AFV)
Mailing address: 24093 American Ave.
(not facility address) Hilmar, CA 95324
Phone#: 209-632-5822

Authorized Copy Released To:
F & R Ag Services
Attn: Joe Ramos
Sampled By:
Project ID:

ANALYSIS TO BE COMPLETED:

IRRIGATION/GROUND WATER
- **H1** EC*, NO3-N, NH4-N*
- **H6** EC, TN, TDS
- **H7** Combination of H1 & H6
- **H14** EC, NO3-N, NH4-N, Ca, Mg, Na, Bicarb Carb, SO4, Cl, TDS

PROCESS WASTE WATER
- **H3** EC*, NH4-N, TKN, TP, K, TDS
- **H4** EC*, NO3-N, NH4-N, TKN, TP, K, TDS
- **H5** Ca, Mg, Na, Bicarb, Carb, SO4, Cl
- **H8** Combination of H3 &H5
- **H9** Combination of H4 &H5

TILE DRAIN
- **H2** EC*, NO3-N, TP, NH4-N*, TDS

** Required Field Measurement*

___ (Check here if performed)

DISCHARGE WATER
- **E1** EC*, Temp*, pH*, NO3-N, NH4-N, TKN, TP, K, TDS, Dissolved Oxygen*, BOD 5, TSS, Total & Fecal Coliforms
- **E2** EC,* Temp*, pH*, NO3-N, NH4-N*, Turbidity, TP, Dissolved Oxygen*, Total & Fecal Coliforms
- **E3** EC*, Temp*, pH*, NO3-N, NH4-N*, TP, Total & Fecal Coliforms
- **E4** EC*, Temp*, pH*, NO3-N, NH4-N*, Turbidity, TP, Total & Fecal Coliform

MANURE
- **M1** % Moisture
- **M3** TN TP, K, % Moisture
- **M4** Ca, Mg, Na, Bicarb, Carb, SO4, Cl, Ash
- **M7** Combination of M3 & M4

PLANT TISSUE
- **F18** % Moisture, Ash, TN, P, K, DM and as received
- **F18+** % Moisture, Ash, TN, P, K, DM and as received (Package also includes NIR DCAD)
- **F19+** % Moisture, TN (Package includes complete plant tissue analysis)

SOIL
- **K3** Soluble Phosphorus
- **K4** 1ft NO3, Organic Matter
- **K5** Pre-Plant (2ft NO3), Fall (1-2ft NO3), Fall (2-3ft NO3)
- **K6** 0-1ft EC, NO3, Soluble P, K, Organic Matter
- **K7** Combination of K3 & K4
- **K8** Combination of K3 & K5

	Date Collected	Time Collected	Sample ID	Description	Temp	Well Purge	Analysis: H1	Analysis: H3	Analysis: M3	Analysis: F18	Analysis: OTHER
1	12/8/23	8:45am	DWA Milk Barn		20.2	Y	H1				
2	"	8:50am	DWA		19.4	Y	H1				
3	"	9:05am	DWB		19.8	Y	H1				
4	"	9:10am	DWC		19.8	Y	H1				
5	"	9:17am	DW Silva House		19.8	Y	H1				
6	"	9:21am	DW B Silva South		19.2	Y	H1				
7											
8											
9											
10											

CHAIN OF CUSTODY RECORDING

	Signature	Company	Received Date & Time	Relinquished Date & Time	(LABORATORY USE ONLY) Logged In By:	LABORATORY NUMBER
1st		AHLEM FARMS VISTA				
2nd		DENELE ANALYTICAL, INC.	12-8-23 @ 14:25			T3342034

Required to be submitted to any agency? (YES / NO)

ATTACHMENT D

Manure/Process Wastewater Tracking Manifest
For
Existing Milk Cow Dairies

Instructions:

1) Complete one manifest for each hauling event, for each destination. A hauling event may last for several days, as long as the manure is being hauled to the same destination.
2) If there are multiple destinations, **complete a separate form for each destination**.
3) The operator must obtain the signature of the hauler upon completion of each manure-hauling event.
4) The operator shall submit copies of manure/process wastewater tracking manifest(s) with the Annual Monitoring Report for Existing Milk Cow Dairies.

Operator Information:

Name of Operator: Sabino A. Herrera D.V.M

Name of Dairy Facility: Ahlem Farms Vista

Facility Address: 6401 Taylor Rd (Number and Street) Denair (City) 95316 (Zip Code)

Contact Person Name and Phone Number: Sabino A. Herrera (Name) 209-632-5822 (Phone Number)

Manure/Process Wastewater Hauler Information:

Name of Hauling Company/Person: Joshua Holsapple Fertilizer Spreading Inc

Address of Hauling Company /Person: 400 N. Central Ave (Number and Street) Turlock (City) 95380 (Zip Code)

Contact Person: Joshua Holsapple (Name) 209-668-4727 (Phone Number)

Destination Information:

Composting Facility / Broker / Farmer / Other (identify) _____ (please circle one)

Contact information of Composting Facility, Broker, Farmer, or Other (as identified above):

JHFS Inc (Name) 400 N. Central Ave (Number and Street) Turlock (City) 95380 (Zip Code) 209-668-4727 (Phone Number)

Manure/Process Wastewater Destination Address or Assessor's Parcel Number:
SAME AS ABOVE (Number and Street) _____ (City) _____ (Zip Code) K2 (Assessor's Parcel Number)

Dates Hauled: 5/14/23

Amount Hauled:

Enter the amount of manure hauled in tons or cubic yards (indicate the units used), the manure solids content (if amount reported in tons) or manure density (if amount reported in cubic yards), and the method used to calculate the amount:

Manure: 4500 (Tons or Cubic Yards (indicate which units used)
Manure Solids Content (if amount reported in tons): @ 40.2
Manure Density (if amount reported in cubic yards): _____

Method used to determine amount of manure: Box Spreading Dry Manure

Enter the amount of process wastewater hauled in gallons and the method used to determine the amount.

Process Wastewater: N/A Gallons

Method used to determine volume of process wastewater: N/A

Written Agreement:
Does the Operator have a written agreement (in compliance with Land Application Specification C.2 of Waste Discharge Requirements General Order No. R5-2007-0035) with any party that receives process wastewater from the Operator for its own use? (please check one)

✓ Yes _____ No

If the answer is no, the Operator agrees to have such a written agreement with any such party for any process wastewater transferred after **31 December 2007** to such party.
_____ (Operator shall provide initials here to acknowledge this requirement).

Certification:
I declare under the penalty of law that I personally examined and am familiar with the information submitted in this document, and that based on my inquiry of those individuals immediately responsible for obtaining the information, I believe that the information is true, accurate, and complete. I am aware that there are significant penalties for submitting false information, including the possibility of a fine and imprisonment for knowing violations.

Operator's Signature: _____ Date: _____

Hauler's Signature: _____ Date: _____

ATTACHMENT D

Manure/Process Wastewater Tracking Manifest
For
Existing Milk Cow Dairies

Instructions:

1) Complete one manifest for each hauling event, for each destination. A hauling event may last for several days, as long as the manure is being hauled to the same destination.
2) If there are multiple destinations, **complete a separate form for each destination**.
3) The operator must obtain the signature of the hauler upon completion of each manure-hauling event.
4) The operator shall submit copies of manure/process wastewater tracking manifest(s) with the Annual Monitoring Report for Existing Milk Cow Dairies.

Operator Information:

Name of Operator: Sabino A. Herrera D.V.M

Name of Dairy Facility: Ahlem Farms Vista

Facility Address: 6401 Taylor Rd (Number and Street) Denair (City) 95316 (Zip Code)

Contact Person Name and Phone Number: Sabino A. Herrera (Name) 209-632-5822 (Phone Number)

Manure/Process Wastewater Hauler Information:

Name of Hauling Company/Person: Joshua Holsapple Fertilizer Spreading Inc

Address of Hauling Company /Person: 400 N. Central Ave (Number and Street) Turlock (City) 95380 (Zip Code)

Contact Person: Joshua Holsapple (Name) 209-668-4727 (Phone Number)

Destination Information:

Composting Facility / Broker / Farmer / Other (identify) _____ (please circle one)

Contact information of Composting Facility, Broker, Farmer, or Other (as identified above):

Name	Number and Street	City	Zip Code	Phone Number
JHFS Inc	400 N. Central Ave	Turlock	95380	209-668-4727

Manure/Process Wastewater Destination Address or Assessor's Parcel Number:

Number and Street	City	Zip Code	Assessor's Parcel Number
SAME AS ABOVE			K2

Dates Hauled: 10/16/23

Amount Hauled:

Enter the amount of manure hauled in tons or cubic yards (indicate the units used), the manure solids content (if amount reported in tons) or manure density (if amount reported in cubic yards), and the method used to calculate the amount:

Manure: 1000 Tons or Cubic Yards (indicate which units used)

Manure Solids Content (if amount reported in tons): @ 34.21.

Manure Density (if amount reported in cubic yards): _____

Method used to determine amount of manure: Box Spreading Dry Manure

Enter the amount of process wastewater hauled in gallons and the method used to determine the amount.

Process Wastewater: N/A Gallons

Method used to determine volume of process wastewater: N/A

Written Agreement:
Does the Operator have a written agreement (in compliance with Land Application Specification C.2 of Waste Discharge Requirements General Order No. R5-2007-0035) with any party that receives process wastewater from the Operator for its own use? (please check one)

✓ Yes _____ No

If the answer is no, the Operator agrees to have such a written agreement with any such party for any process wastewater transferred after **31 December 2007** to such party.
_____ (Operator shall provide initials here to acknowledge this requirement).

Certification:
I declare under the penalty of law that I personally examined and am familiar with the information submitted in this document, and that based on my inquiry of those individuals immediately responsible for obtaining the information, I believe that the information is true, accurate, and complete. I am aware that there are significant penalties for submitting false information, including the possibility of a fine and imprisonment for knowing violations.

Operator's Signature: _____ Date: _____

Hauler's Signature: _____ Date: _____

2023 Annual Report- Ahlem Farms Vista

Final Audit Report 2024-05-20

Created:	2024-05-20
By:	Kristen Jones (kjones@fragservices.com)
Status:	Signed
Transaction ID:	CBJCHBCAABAApO0dWEaRzMaqA1vcuzOmLq0Tt9rMlCmK

"2023 Annual Report- Ahlem Farms Vista" History

Document created by Kristen Jones (kjones@fragservices.com)
2024-05-20 - 5:38:27 PM GMT

Document emailed to browncow236@gmail.com for signature
2024-05-20 - 5:39:18 PM GMT

Email viewed by browncow236@gmail.com
2024-05-20 - 5:40:39 PM GMT

Signer browncow236@gmail.com entered name at signing as Sabino A. Herrera
2024-05-20 - 5:41:16 PM GMT

Document e-signed by Sabino A. Herrera (browncow236@gmail.com)
Signature Date: 2024-05-20 - 5:41:18 PM GMT - Time Source: server

Agreement completed.
2024-05-20 - 5:41:18 PM GMT