Annual Report - General Order No. R5-2007-0035
Reporting period 01/01/2023 to 12/31/2023.

DAIRY FACILITY INFORMATION

A. NAME OF DAIRY OR BUSINESS OPERATING THE DAIRY: Tony & Fatima Garcia Dairy

Physical address of dairy:

6455 California AVE	Modesto	Stanislaus	95358
Number and Street	City	County	Zip Code

Street and nearest cross street (if no address):

Date facility was originally placed in operation: 10/01/1987

Regional Water Quality Control Board Basin Plan designation: San Joaquin River Basin

County Assessor Parcel Number(s) for dairy facility:

X012-X053-X004-XXXX

B. OPERATORS

Garcia, Tony & Fatima

Operator name: Garcia, Tony & Fatima

Telephone no.: (123) 000-0000 Landline (123) 000-0000 Cellular

6455 California AVE	Modesto	CA	95358
Mailing Address Number and Street	City	State	Zip Code

This operator is responsible for paying permit fees.

C. OWNERS

Garcia, Tony & Fatima

Legal owner name: Garcia, Tony & Fatima

Telephone no.: (123) 000-0000 Landline (123) 000-0000 Cellular

6455 California AVE	Modesto	CA	95358
Mailing Address Number and Street	City	State	Zip Code

This owner is responsible for paying permit fees.

Annual Report - General Order No. R5-2007-0035
Reporting period 01/01/2023 to 12/31/2023.

AVAILABLE NUTRIENTS

A. HERD INFORMATION

	Milk Cows	Dry Cows	Bred Heifers (15-24 mo.)	Heifers (7-14 mo. to breeding)	Calves (4-6 mo.)	Calves (0-3 mo.)
Number open confinement	0	150	300	150	200	70
Number under roof	630	0	0	0	0	0
Maximum number	630	150	300	150	200	70
Average number	630	150	300	150	200	70
Avg live weight (lbs)	1,300	1,400	100	550		

Predominant milk cow breed: Holstein

Average milk production: 80 *pounds per cow per day*

B. MANURE GENERATED

Total manure excreted by the herd: 23,597.44 *tons per reporting period*

Total nitrogen from manure: 304,833.56 *lbs per reporting period*

After ammonia losses (30% loss applied): 213,383.49 *lbs per reporting period*

Total phosphorus from manure: 49,363.69 *lbs per reporting period*

Total potassium from manure: 124,789.91 *lbs per reporting period*

Total salt from manure: 331,128.00 *lbs per reporting period*

C. PROCESS WASTEWATER GENERATED

Process wastewater generated: 4,929,000 *gallons*

Total nitrogen generated: 20,116.13 *lbs*

Total phosphorus generated: 2,466.35 *lbs*

Total potassium generated: 40,972.28 *lbs*

Total salt generated: 161,125.26 *lbs*

	4,929,000	*gallons applied*
+	0	*gallons exported*
-	0	*gallons imported*
=	4,929,000	*gallons generated*

D. FRESH WATER SOURCES

Source Description	Type
Ag Well	Ground water
Canal Water	Surface water
Domestic Well	Ground water

E. SUBSURFACE (TILE) DRAINAGE SOURCES

No subsurface (tile) drainage sources entered.

F. NUTRIENT IMPORTS

No dry manure nutrient imports entered.

No process wastewater nutrient imports entered.

No commercial or other nutrient imports entered.

G. NUTRIENT EXPORTS

Date	Material type	Quantity	Reporting basis	Moisture (%)	Density (lbs/cu ft)	N (mg/kg)	P (mg/kg)	K (mg/kg)	Salt (mg/kg)	TFS (%)
04/27/2023	Corral solids	1,450.00 *ton*	Dry-weight	14.4		0.00	0.00	0.00		0.00
06/25/2023	Corral solids	1,510.00 *ton*	Dry-weight	14.4		0.00	0.00	0.00		0.00

No liquid nutrient exports entered.

Material type	Total N (lbs)	Total P (lbs)	Total K (lbs)	Total salt (lbs)
Dry manure	0.00	0.00	0.00	0.00
Process wastewater	0.00	0.00	0.00	0.00
Total exports for all materials	0.00	0.00	0.00	0.00

APPLICATION AREA

A. LIST OF LAND APPLICATION AREAS

Field name	Controlled acres	Cropable acres	Total harvests	Type of waste applied	Parcel number
G1	50	50	2	both	X012-X053-X004-XXXX
G10	103	103	0	none	X191-X070-X025-XXXX
G11	59	59	0	none	X191-X070-X026-XXXX
G12	30	30	0	none	X191-X070-X026-XXXX
G13	18	18	0	none	X012-X055-X012-XXXX
G13A	18	18	0	none	X012-X055-X012-XXXX
G14	40	40	0	none	X017-X037-X003-XXXX
G2 (G3, G4)	38	38	0	none	X012-X052-X009-XXXX
G5	80	67	0	none	X012-X053-X009-XXXX
G6	80	20	0	none	X012-X053-X009-XXXX
G7	65	62	2	both	X012-X053-X008-XXXX
G8 (Shiloh)	120	120	0	none	X017-X049-X014-XXXX
G9	108	108	0	none	X191-X070-X024-XXXX X191-X070-X027-XXXX
Totals for areas that were used for application	115	112	4		
Totals for areas that were not used for application	694	621	0		
Land application area totals	809	733	4		

B. CROPS AND HARVESTS

G1

Field name: G1

11/10/2022: Oats, silage-soft dough

Crop: Oats, silage-soft dough Acres planted: 50 Plant date: 11/10/2022

Harvest date	Yield	Reporting basis	Density (lbs/cu ft)	Moisture (%)	N (mg/kg)	P (mg/kg)	K (mg/kg)	Salt (mg/kg)	TFS (%)
04/25/2023	800.00 *ton*	Dry-weight		71.4	3,520.00	534.00	3,360.00		10.60

	Yield (tons/acre)	Total N (lbs/acre)	Total P (lbs/acre)	Total K (lbs/acre)	Salt (lbs/acre)
Anticipated harvest content	16.00	160.00	25.60	132.80	0.00
Total actual harvest content	16.00	32.22	4.89	30.75	970.11

G1

05/16/2023: Corn, silage

Crop: Corn, silage Acres planted: 50 Plant date: 05/16/2023

Harvest date	Yield	Reporting basis	Density (lbs/cu ft)	Moisture (%)	N (mg/kg)	P (mg/kg)	K (mg/kg)	Salt (mg/kg)	TFS (%)
09/14/2023	1,500.00 *ton*	Dry-weight		0.1	0.00	0.00	0.00		0.00

	Yield (tons/acre)	Total N (lbs/acre)	Total P (lbs/acre)	Total K (lbs/acre)	Salt (lbs/acre)
Anticipated harvest content	30.00	240.00	45.00	198.00	0.00
Total actual harvest content	30.00	0.00	0.00	0.00	0.00

G7

Field name: G7

11/10/2022: Oats, silage-soft dough

Crop: Oats, silage-soft dough Acres planted: 62 Plant date: 11/10/2022

Harvest date	Yield	Reporting basis	Density (lbs/cu ft)	Moisture (%)	N (mg/kg)	P (mg/kg)	K (mg/kg)	Salt (mg/kg)	TFS (%)
04/25/2023	992.00 *ton*	Dry-weight		69.5	4,440.00	753.00	5,100.00		10.70

	Yield (tons/acre)	Total N (lbs/acre)	Total P (lbs/acre)	Total K (lbs/acre)	Salt (lbs/acre)
Anticipated harvest content	16.00	160.00	25.60	132.80	0.00
Total actual harvest content	16.00	43.33	7.35	49.78	1,044.32

05/16/2023: Corn, silage

Crop: Corn, silage Acres planted: 62 Plant date: 05/16/2023

Harvest date	Yield	Reporting basis	Density (lbs/cu ft)	Moisture (%)	N (mg/kg)	P (mg/kg)	K (mg/kg)	Salt (mg/kg)	TFS (%)
09/15/2023	1,860.00 *ton*	Dry-weight		0.1	0.00	0.00	0.00		0.00

	Yield (tons/acre)	Total N (lbs/acre)	Total P (lbs/acre)	Total K (lbs/acre)	Salt (lbs/acre)
Anticipated harvest content	30.00	240.00	45.00	198.00	0.00
Total actual harvest content	30.00	0.00	0.00	0.00	0.00

NUTRIENT BUDGET

A. LAND APPLICATIONS

G1 - 11/10/2022: Oats, silage-soft dough

Field name: G1

Crop: Oats, silage-soft dough — Plant date: 11/10/2022

Application date	Application method	Precipitation 24 hours prior	Precipitation during application	Precipitation 24 hours following
10/27/2022	Surface (irrigation)	No precipitation	No precipitation	No precipitation

Source description	Material type	N (lbs/acre)	P (lbs/acre)	K (lbs/acre)	Salt (lbs/acre)	Amount
Canal Water	Surface water	0.00	0.00	0.00	62.13	3,877,901.28 *gal*
Application event totals		0.00	0.00	0.00	62.13	

Application date	Application method	Precipitation 24 hours prior	Precipitation during application	Precipitation 24 hours following
11/16/2022	Broadcast/incorporate	No precipitation	No precipitation	No precipitation

Source description	Material type	N (lbs/acre)	P (lbs/acre)	K (lbs/acre)	Salt (lbs/acre)	Amount
Manure	Corral solids	31.32	15.21	19.97	1,567.49	100.00 *ton*
Application event totals		31.32	15.21	19.97	1,567.49	

G1 - 05/16/2023: Corn, silage

Field name: G1

Crop: Corn, silage — Plant date: 05/16/2023

Application date	Application method	Precipitation 24 hours prior	Precipitation during application	Precipitation 24 hours following
05/02/2023	Surface (irrigation)	No precipitation	No precipitation	No precipitation

Source description	Material type	N (lbs/acre)	P (lbs/acre)	K (lbs/acre)	Salt (lbs/acre)	Amount
Lagoon Water	Process wastewater	85.52	10.30	174.89	648.41	1,050,000.00 *gal*
Canal Water	Surface water	0.00	0.00	0.00	135.92	8,482,909.06 *gal*
Application event totals		85.52	10.30	174.89	784.32	

Application date	Application method	Precipitation 24 hours prior	Precipitation during application	Precipitation 24 hours following
06/15/2023	Surface (irrigation)	No precipitation	No precipitation	No precipitation

Source description	Material type	N (lbs/acre)	P (lbs/acre)	K (lbs/acre)	Salt (lbs/acre)	Amount
Canal Water	Surface water	0.00	0.00	0.00	129.44	8,078,961.01 *gal*
Application event totals		0.00	0.00	0.00	129.44	

G1 - 05/16/2023: Corn, silage

Application date	Application method	Precipitation 24 hours prior	Precipitation during application	Precipitation 24 hours following
06/29/2023	Surface (irrigation)	No precipitation	No precipitation	No precipitation

Source description	Material type	N (lbs/acre)	P (lbs/acre)	K (lbs/acre)	Salt (lbs/acre)	Amount
Canal Water	Surface water	0.00	0.00	0.00	93.20	5,816,851.92 *gal*
Application event totals		0.00	0.00	0.00	93.20	

Application date	Application method	Precipitation 24 hours prior	Precipitation during application	Precipitation 24 hours following
07/13/2023	Surface (irrigation)	No precipitation	No precipitation	No precipitation

Source description	Material type	N (lbs/acre)	P (lbs/acre)	K (lbs/acre)	Salt (lbs/acre)	Amount
Lagoon Water	Process wastewater	43.98	5.30	89.95	333.47	540,000.00 *gal*
Canal Water	Surface water	0.00	0.00	0.00	69.90	4,362,638.94 *gal*
Application event totals		43.98	5.30	89.95	403.37	

Application date	Application method	Precipitation 24 hours prior	Precipitation during application	Precipitation 24 hours following
07/27/2023	Surface (irrigation)	No precipitation	No precipitation	No precipitation

Source description	Material type	N (lbs/acre)	P (lbs/acre)	K (lbs/acre)	Salt (lbs/acre)	Amount
Lagoon Water	Process wastewater	43.98	5.30	89.95	333.47	540,000.00 *gal*
Canal Water	Surface water	0.00	0.00	0.00	69.90	4,362,638.94 *gal*
Application event totals		43.98	5.30	89.95	403.37	

Application date	Application method	Precipitation 24 hours prior	Precipitation during application	Precipitation 24 hours following
08/10/2023	Surface (irrigation)	No precipitation	No precipitation	No precipitation

Source description	Material type	N (lbs/acre)	P (lbs/acre)	K (lbs/acre)	Salt (lbs/acre)	Amount
Lagoon Water	Process wastewater	40.02	5.68	91.93	405.57	540,000.00 *gal*
Canal Water	Surface water	0.00	0.00	0.00	69.90	4,362,638.94 *gal*
Application event totals		40.02	5.68	91.93	475.47	

Application date	Application method	Precipitation 24 hours prior	Precipitation during application	Precipitation 24 hours following
08/24/2023	Surface (irrigation)	No precipitation	No precipitation	No precipitation

Source description	Material type	N (lbs/acre)	P (lbs/acre)	K (lbs/acre)	Salt (lbs/acre)	Amount
Canal Water	Surface water	0.00	0.00	0.00	62.13	3,877,901.28 *gal*
Application event totals		0.00	0.00	0.00	62.13	

G7 - 11/10/2022: Oats, silage-soft dough

Field name: G7

Crop: Oats, silage-soft dough

Plant date: 11/10/2022

G7 - 11/10/2022: Oats, silage-soft dough

Application date	Application method	Precipitation 24 hours prior	Precipitation during application	Precipitation 24 hours following
10/28/2022	Surface (irrigation)	No precipitation	No precipitation	No precipitation

Source description	Material type	N (lbs/acre)	P (lbs/acre)	K (lbs/acre)	Salt (lbs/acre)	Amount
Lagoon Water	Process wastewater	23.10	2.16	29.17	158.29	240,000.00 *gal*
Canal Water	Surface water	0.00	0.00	0.00	41.76	3,231,584.40 *gal*
Application event totals		23.10	2.16	29.17	200.04	

11/06/2022	Broadcast/incorporate	No precipitation	No precipitation	No precipitation

Source description	Material type	N (lbs/acre)	P (lbs/acre)	K (lbs/acre)	Salt (lbs/acre)	Amount
Manure	Corral solids	23.49	11.41	14.98	1,175.62	93.00 *ton*
Application event totals		23.49	11.41	14.98	1,175.62	

01/26/2023	Surface (irrigation)	No precipitation	No precipitation	No precipitation

Source description	Material type	N (lbs/acre)	P (lbs/acre)	K (lbs/acre)	Salt (lbs/acre)	Amount
Discharge Water	Process wastewater	0.00	0.00	0.00	0.00	9,000.00 *gal*
Application event totals		0.00	0.00	0.00	0.00	

G7 - 05/16/2023: Corn, silage

Field name: G7

Crop: Corn, silage

Plant date: 05/16/2023

Application date	Application method	Precipitation 24 hours prior	Precipitation during application	Precipitation 24 hours following
05/03/2023	Surface (irrigation)	No precipitation	No precipitation	No precipitation

Source description	Material type	N (lbs/acre)	P (lbs/acre)	K (lbs/acre)	Salt (lbs/acre)	Amount
Lagoon Water	Process wastewater	39.41	4.75	80.60	298.80	600,000.00 *gal*
Canal Water	Surface water	0.00	0.00	0.00	62.63	4,847,376.60 *gal*
Application event totals		39.41	4.75	80.60	361.44	

G7 - 05/16/2023: Corn, silage

Application date	Application method	Precipitation 24 hours prior	Precipitation during application	Precipitation 24 hours following
06/17/2023	Surface (irrigation)	No precipitation	No precipitation	No precipitation

Source description	Material type	N (lbs/acre)	P (lbs/acre)	K (lbs/acre)	Salt (lbs/acre)	Amount
Canal Water	Surface water	0.00	0.00	0.00	62.63	4,847,376.60 *gal*
Application event totals		0.00	0.00	0.00	62.63	

06/27/2023	Surface (irrigation)	No precipitation	No precipitation	No precipitation

Source description	Material type	N (lbs/acre)	P (lbs/acre)	K (lbs/acre)	Salt (lbs/acre)	Amount
Canal Water	Surface water	0.00	0.00	0.00	62.63	4,847,376.60 *gal*
Application event totals		0.00	0.00	0.00	62.63	

07/11/2023	Surface (irrigation)	No precipitation	No precipitation	No precipitation

Source description	Material type	N (lbs/acre)	P (lbs/acre)	K (lbs/acre)	Salt (lbs/acre)	Amount
Lagoon Water	Process wastewater	29.56	3.56	60.45	224.10	450,000.00 *gal*
Canal Water	Surface water	0.00	0.00	0.00	46.98	3,635,532.45 *gal*
Application event totals		29.56	3.56	60.45	271.08	

07/29/2023	Surface (irrigation)	No precipitation	No precipitation	No precipitation

Source description	Material type	N (lbs/acre)	P (lbs/acre)	K (lbs/acre)	Salt (lbs/acre)	Amount
Lagoon Water	Process wastewater	31.53	3.80	64.48	239.04	480,000.00 *gal*
Canal Water	Surface water	0.00	0.00	0.00	46.98	3,635,532.45 *gal*
Application event totals		31.53	3.80	64.48	286.02	

08/12/2023	Surface (irrigation)	No precipitation	No precipitation	No precipitation

Source description	Material type	N (lbs/acre)	P (lbs/acre)	K (lbs/acre)	Salt (lbs/acre)	Amount
Lagoon Water	Process wastewater	28.69	4.07	65.90	290.73	480,000.00 *gal*
Canal Water	Surface water	0.00	0.00	0.00	37.58	2,908,425.96 *gal*
Application event totals		28.69	4.07	65.90	328.31	

G7 - 05/16/2023: Corn, silage

Application date	Application method	Precipitation 24 hours prior	Precipitation during application	Precipitation 24 hours following
08/26/2023	Surface (irrigation)	No precipitation	No precipitation	No precipitation

Source description	Material type	N (lbs/acre)	P (lbs/acre)	K (lbs/acre)	Salt (lbs/acre)	Amount
Canal Water	Surface water	0.00	0.00	0.00	50.11	3,877,901.28 *gal*
Application event totals		0.00	0.00	0.00	50.11	

B. NUTRIENT BUDGET

G1 - 11/10/2022: Oats, silage-soft dough

Field name: G1 Crop: Oats, silage-soft dough Plant date: 11/10/2022

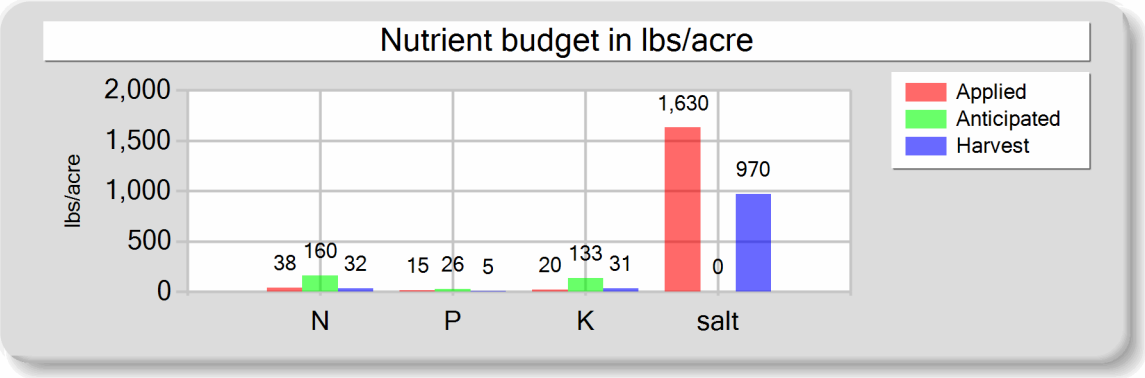

	Total N (lbs/acre)	Total P (lbs/acre)	Total K (lbs/acre)	Total salt (lbs/acre)
Existing soil nutrient content	0.00	0.00	0.00	0.00
Plowdown credit	0.00	0.00	0.00	0.00
Commercial fertilizer / Other	0.00	0.00	0.00	0.00
Dry manure	31.32	15.21	19.97	1,567.49
Process wastewater	0.00	0.00	0.00	0.00
Fresh water	0.00	0.00	0.00	62.13
Atmospheric deposition	7.00	0.00	0.00	0.00
Total nutrients applied	38.32	15.21	19.97	1,629.62
Anticipated crop nutrient removal	160.00	25.60	132.80	0.00
Actual crop nutrient removal	32.22	4.89	30.75	970.11
Nutrient balance	6.10	10.32	-10.78	659.51
Applied to removed ratio	1.19	3.11	0.65	1.68

Fresh water applied	
3,877,901.28	*gallons*
142.81	*acre-inches*
2.86	*inches/acre*

Process wastewater applied	
0.00	*gallons*
0.00	*acre-inches*
0.00	*inches/acre*

Total harvests for the crop	
1	*harvests*

G1 - 05/16/2023: Corn, silage

Field name: G1 Crop: Corn, silage Plant date: 05/16/2023

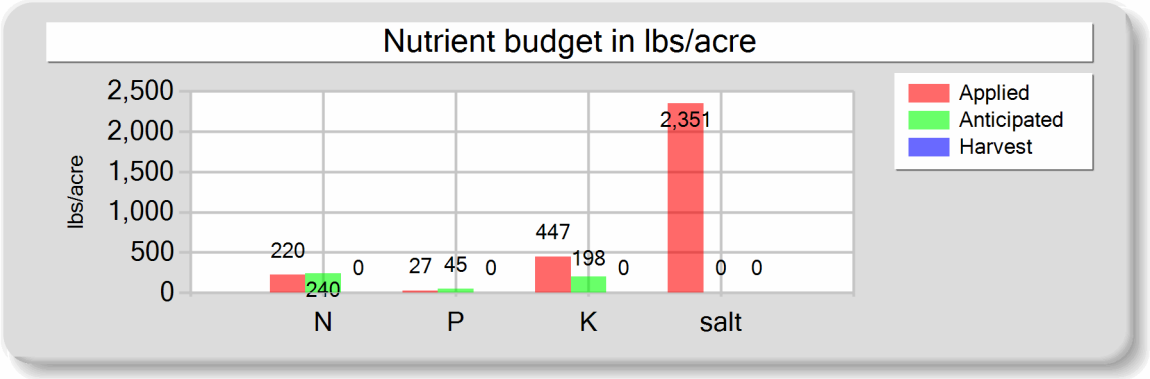

	Total N (lbs/acre)	Total P (lbs/acre)	Total K (lbs/acre)	Total salt (lbs/acre)
Existing soil nutrient content	0.00	0.00	0.00	0.00
Plowdown credit	0.00	0.00	0.00	0.00
Commercial fertilizer / Other	0.00	0.00	0.00	0.00
Dry manure	0.00	0.00	0.00	0.00
Process wastewater	213.50	26.58	446.71	1,720.91
Fresh water	0.00	0.00	0.00	630.39
Atmospheric deposition	7.00	0.00	0.00	0.00
Total nutrients applied	220.50	26.58	446.71	2,351.30
Anticipated crop nutrient removal	240.00	45.00	198.00	0.00
Actual crop nutrient removal	0.00	0.00	0.00	0.00
Nutrient balance	220.50	26.58	446.71	2,351.30
Applied to removed ratio	0.00	0.00	0.00	0.00

Fresh water applied	
39,344,540.09	*gallons*
1,448.93	*acre-inches*
28.98	*inches/acre*

Process wastewater applied	
2,670,000.00	*gallons*
98.33	*acre-inches*
1.97	*inches/acre*

Total harvests for the crop	
1	*harvests*

G7 - 11/10/2022: Oats, silage-soft dough

Field name: G7 Crop: Oats, silage-soft dough Plant date: 11/10/2022

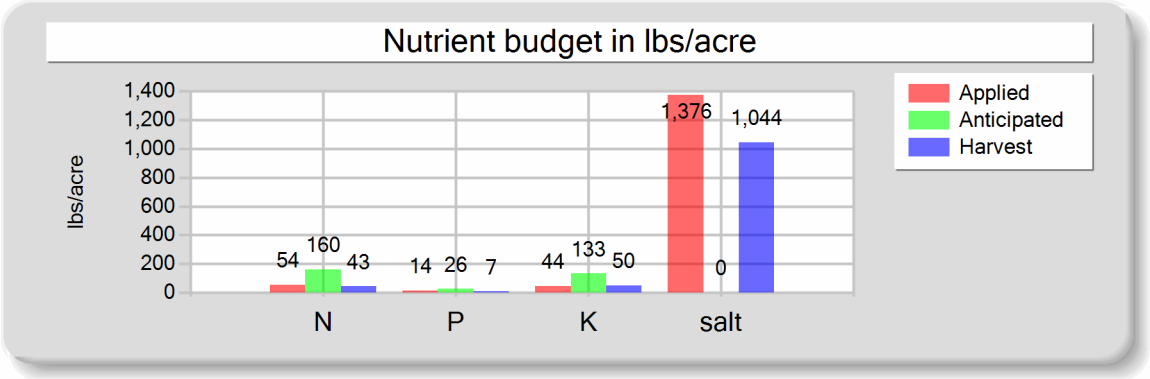

	Total N (lbs/acre)	Total P (lbs/acre)	Total K (lbs/acre)	Total salt (lbs/acre)
Existing soil nutrient content	0.00	0.00	0.00	0.00
Plowdown credit	0.00	0.00	0.00	0.00
Commercial fertilizer / Other	0.00	0.00	0.00	0.00
Dry manure	23.49	11.41	14.98	1,175.62
Process wastewater	23.10	2.16	29.17	158.29
Fresh water	0.00	0.00	0.00	41.76
Atmospheric deposition	7.00	0.00	0.00	0.00
Total nutrients applied	53.58	13.57	44.15	1,375.66
Anticipated crop nutrient removal	160.00	25.60	132.80	0.00
Actual crop nutrient removal	43.33	7.35	49.78	1,044.32
Nutrient balance	10.25	6.22	-5.63	331.34
Applied to removed ratio	1.24	1.85	0.89	1.32

Fresh water applied	
3,231,584.40	*gallons*
119.01	*acre-inches*
1.92	*inches/acre*

Process wastewater applied	
249,000.00	*gallons*
9.17	*acre-inches*
0.15	*inches/acre*

Total harvests for the crop	
1	*harvests*

G7 - 05/16/2023: Corn, silage

Field name: G7 Crop: Corn, silage Plant date: 05/16/2023

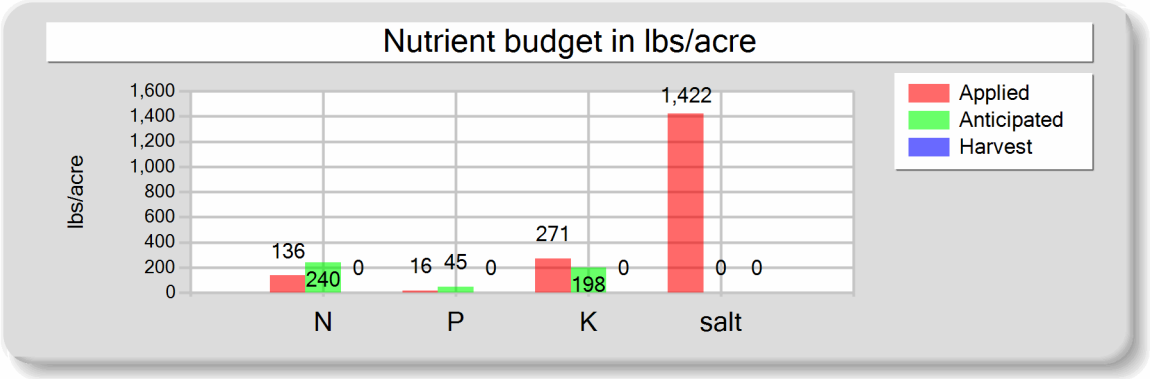

	Total N (lbs/acre)	Total P (lbs/acre)	Total K (lbs/acre)	Total salt (lbs/acre)
Existing soil nutrient content	0.00	0.00	0.00	0.00
Plowdown credit	0.00	0.00	0.00	0.00
Commercial fertilizer / Other	0.00	0.00	0.00	0.00
Dry manure	0.00	0.00	0.00	0.00
Process wastewater	129.18	16.18	271.42	1,052.68
Fresh water	0.00	0.00	0.00	369.54
Atmospheric deposition	7.00	0.00	0.00	0.00
Total nutrients applied	136.18	16.18	271.42	1,422.22
Anticipated crop nutrient removal	240.00	45.00	198.00	0.00
Actual crop nutrient removal	0.00	0.00	0.00	0.00
Nutrient balance	136.18	16.18	271.42	1,422.22
Applied to removed ratio	0.00	0.00	0.00	0.00

Fresh water applied	
28,599,521.94	*gallons*
1,053.22	*acre-inches*
16.99	*inches/acre*

Process wastewater applied	
2,010,000.00	*gallons*
74.02	*acre-inches*
1.19	*inches/acre*

Total harvests for the crop	
1	*harvests*

NUTRIENT ANALYSES

A. MANURE ANALYSES

Manure 2102018-01

Sample and source description: Manure 2102018-01

Sample date: 10/19/2022 Material type: Corral solids Source of analysis: Lab analysis Method of reporting: Dry-weight

Moisture: 16.8 %

	Total N (mg/kg)	Total P (mg/kg)	Total K (mg/kg)	Calcium (mg/kg)	Magnesium (mg/kg)	Sodium (mg/kg)	Sulfur (mg/kg)	Chloride (mg/kg)	Total salt (mg/kg)	TFS (%)
Value	9,410.00	4,570.00	6,000.00	12,000.00	3,400.00	1,400.00	908.00	3,270.00		47.10
DL	0.50	0.50	0.50	5.00	5.00	5.00	1.00	0.50		0.10

Manure 2304415-01

Sample and source description: Manure 2304415-01

Sample date: 04/28/2023 Material type: Corral solids Source of analysis: Lab analysis Method of reporting: Dry-weight

Moisture: 14.4 %

	Total N (mg/kg)	Total P (mg/kg)	Total K (mg/kg)	Calcium (mg/kg)	Magnesium (mg/kg)	Sodium (mg/kg)	Sulfur (mg/kg)	Chloride (mg/kg)	Total salt (mg/kg)	TFS (%)
Value										
DL										

B. PROCESS WASTEWATER ANALYSES

Lagoon Water 2301396-01

Sample and source description: Lagoon Water 2301396-01

Sample date: 01/25/2023 Material type: Process wastewater Source of analysis: Lab analysis pH:

	Kjeldahl-N (mg/L)	NH4-N (mg/L)	NH3-N (mg/L)	Nitrate-N (mg/L)	Total P (mg/L)	Total K (mg/L)	Calcium (mg/L)	Magnes. (mg/L)	Sodium (mg/L)	Bicarb. (mg/L)	Carb. (mg/L)	Sulfate (mg/L)	Chloride (mg/L)	EC (µmhos/cm)	TDS (mg/L)
Value	715.00	470.00			67.00	903.00								6,830.00	4,900
DL	0.60	12.00			0.10	10.00								1.00	1

Lagoon Water 2303390-01

Sample and source description: Lagoon Water 2303390-01

Sample date: 03/27/2023 Material type: Process wastewater Source of analysis: Lab analysis pH:

	Kjeldahl-N (mg/L)	NH4-N (mg/L)	NH3-N (mg/L)	Nitrate-N (mg/L)	Total P (mg/L)	Total K (mg/L)	Calcium (mg/L)	Magnes. (mg/L)	Sodium (mg/L)	Bicarb. (mg/L)	Carb. (mg/L)	Sulfate (mg/L)	Chloride (mg/L)	EC (µmhos/cm)	TDS (mg/L)
Value	568.00	568.00			48.40	551.00								5,310.00	3,300
DL	0.60	10.00			0.10	10.00								1.00	1

Lagoon Water 2307225-01

Sample and source description: Lagoon Water 2307225-01

Sample date: 07/16/2023 Material type: Process wastewater Source of analysis: Lab analysis pH:

	Kjeldahl-N (mg/L)	NH4-N (mg/L)	NH3-N (mg/L)	Nitrate-N (mg/L)	Total P (mg/L)	Total K (mg/L)	Calcium (mg/L)	Magnes. (mg/L)	Sodium (mg/L)	Bicarb. (mg/L)	Carb. (mg/L)	Sulfate (mg/L)	Chloride (mg/L)	EC (µmhos/cm)	TDS (mg/L)
Value	488.00	444.00			58.80	998.00								6,360.00	3,700
DL	0.60	0.60			0.10	10.00								1.00	1

Lagoon Water 2310030-01

Sample and source description: Lagoon Water 2310030-01

Sample date: 09/30/2023 Material type: Process wastewater Source of analysis: Lab analysis pH:

	Kjeldahl-N (mg/L)	NH4-N (mg/L)	NH3-N (mg/L)	Nitrate-N (mg/L)	Total P (mg/L)	Total K (mg/L)	Calcium (mg/L)	Magnes. (mg/L)	Sodium (mg/L)	Bicarb. (mg/L)	Carb. (mg/L)	Sulfate (mg/L)	Chloride (mg/L)	EC (µmhos/cm)	TDS (mg/L)
Value	444.00	382.00			63.00	1,020.00								5,970.00	4,500
DL	0.60	0.60			0.10	10.00								1.00	1

C. FRESH WATER ANALYSES

Ag Well

Ag Well

2312294-01

Sample description: 2312294-01

Sample date: 12/14/2023 Source of analysis: Lab analysis

	Total N (mg/L)	NH4-N (mg/L)	Nitrate-N (mg/L)	Calcium (mg/L)	Magnesium (mg/L)	Sodium (mg/L)	Bicarbonate (mg/L)	Carbonate (mg/L)	Sulfate (mg/L)	Chloride (mg/L)	EC (µmhos/cm)	TDS (mg/L)
Value	9.19		8.86								766.00	420
DL	0.40		0.40								1.00	1

Canal Water

2310029-01

Sample description: 2310029-01

Sample date: 09/30/2023 Source of analysis: Lab analysis

	Total N (mg/L)	NH4-N (mg/L)	Nitrate-N (mg/L)	Calcium (mg/L)	Magnesium (mg/L)	Sodium (mg/L)	Bicarbonate (mg/L)	Carbonate (mg/L)	Sulfate (mg/L)	Chloride (mg/L)	EC (µmhos/cm)	TDS (mg/L)
Value											27.10	96
DL											1.00	1

Domestic Well

2312118-01

Sample description: 2312118-01

Sample date: 12/08/2023 Source of analysis: Lab analysis

	Total N (mg/L)	NH4-N (mg/L)	Nitrate-N (mg/L)	Calcium (mg/L)	Magnesium (mg/L)	Sodium (mg/L)	Bicarbonate (mg/L)	Carbonate (mg/L)	Sulfate (mg/L)	Chloride (mg/L)	EC (µmhos/cm)	TDS (mg/L)
Value			9.61								747.00	
DL			0.40								1.00	

D. SOIL ANALYSES

No soil analyses entered.

E. PLANT TISSUE ANALYSES

G1 - 11/10/2022: Oats, silage-soft dough

2304416-01

Sample and source description: 2304416-01
Sample date: 04/28/2023 Source of analysis: Lab analysis Method of reporting: Dry-weight
Moisture: 72.2 %

	Total N (mg/kg)	Total P (mg/kg)	Total K (mg/kg)	Total salt (mg/kg)	TFS (%)
Value	3,500.00	744.00	5,500.00		11.50
DL	2.50	0.50	0.50		0.10

2304416-02

Sample and source description: 2304416-02
Sample date: 04/28/2023 Source of analysis: Lab analysis Method of reporting: Dry-weight
Moisture: 71.4 %

	Total N (mg/kg)	Total P (mg/kg)	Total K (mg/kg)	Total salt (mg/kg)	TFS (%)
Value	3,520.00	534.00	3,360.00		10.60
DL	2.50	0.50	0.50		0.10

G7 - 11/10/2022: Oats, silage-soft dough

2304416-03

Sample and source description: 2304416-03
Sample date: 04/28/2023 Source of analysis: Lab analysis Method of reporting: Dry-weight
Moisture: 69.5 %

	Total N (mg/kg)	Total P (mg/kg)	Total K (mg/kg)	Total salt (mg/kg)	TFS (%)
Value	4,440.00	753.00	5,100.00		10.70
DL	2.50	0.50	0.50		0.10

G7 - 11/10/2022: Oats, silage-soft dough

2304416-04

Sample and source description: 2304416-04

Sample date: 04/28/2023 Source of analysis: Lab analysis Method of reporting: Dry-weight

Moisture: 68.7 %

	Total N (mg/kg)	Total P (mg/kg)	Total K (mg/kg)	Total salt (mg/kg)	TFS (%)
Value	4,390.00	577.00	4,100.00		9.87
DL	2.50	0.50	0.50		0.10

F. SUBSURFACE (TILE) DRAINAGE ANALYSES

No subsurface (tile) drainage analyses entered.

NUTRIENT APPLICATIONS, POTENTIAL REMOVAL, AND BALANCE

A. SUMMARY OF NUTRIENT APPLICATIONS, POTENTIAL REMOVAL, AND BALANCE

	Total N (lbs)	Total P (lbs)	Total K (lbs)	Total salt (lbs)
Existing soil nutrient content	0.00	0.00	0.00	0.00
Plowdown credit	0.00	0.00	0.00	0.00
Commercial fertilizer / Other	0.00	0.00	0.00	0.00
Dry manure	3,022.04	1,467.66	1,926.91	151,262.59
Process wastewater	20,116.13	2,466.35	40,972.28	161,125.26
Fresh water	0.00	0.00	0.00	60,126.90
Atmospheric deposition	1,568.00	0.00	0.00	0.00
Total nutrients applied	24,706.17	3,934.01	42,899.19	372,514.75
Anticipated crop nutrient removal	44,800.00	7,907.20	37,049.60	0.00
Actual crop nutrient removal	4,297.48	700.01	4,623.65	113,253.44
Nutrient balance	20,408.69	3,234.00	38,275.55	259,261.31
Applied to removed ratio	5.75	5.62	9.28	3.29

B. POUNDS OF NUTRIENT APPLIED VS. CROP REMOVAL

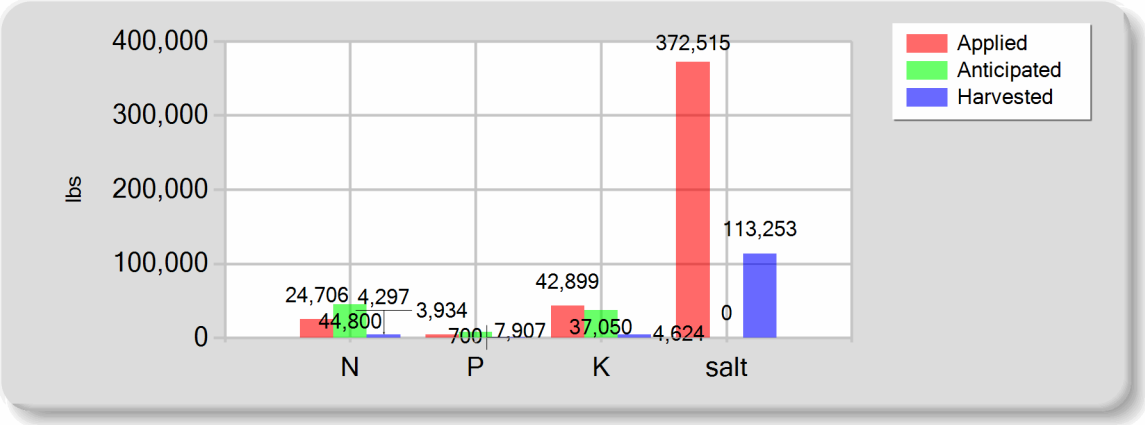

C. POUNDS OF NUTRIENT APPLIED BY MATERIAL TYPE

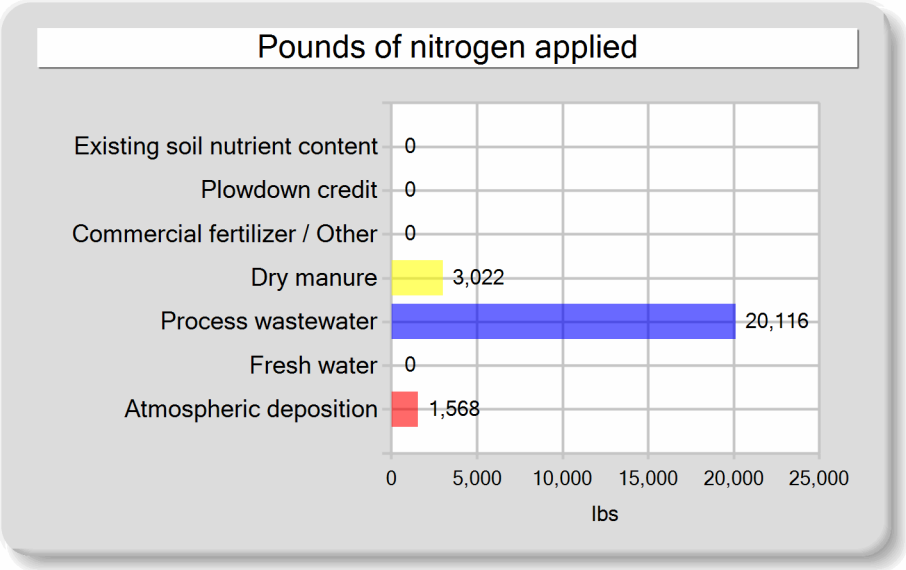

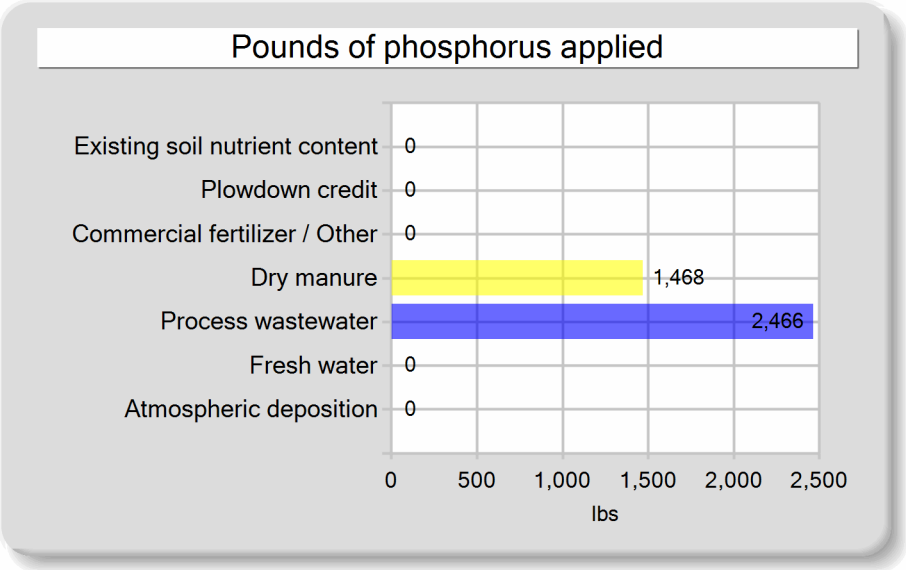

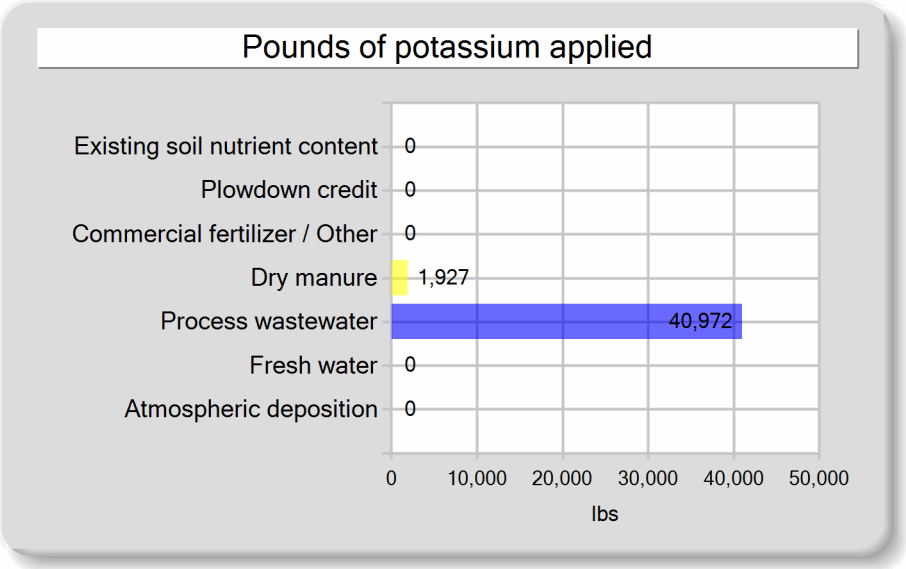

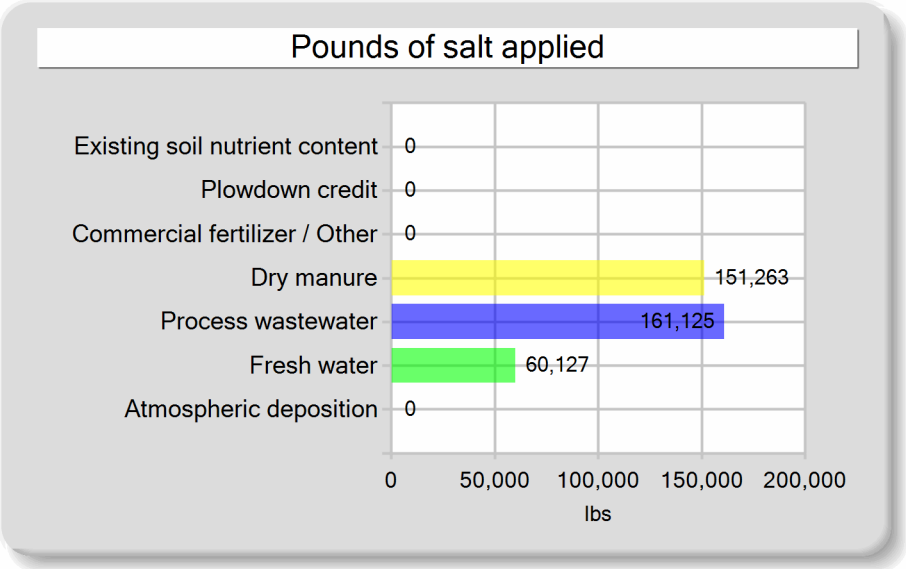

EXCEPTION REPORTING

A. MANURE, PROCESS WASTEWATER, AND OTHER DAIRY WASTE DISCHARGES

The following is a summary of all manure and process wastewater discharges from the production area to surface water or to land areas (land application areas or otherwise) when not in accordance with the facility's Nutrient Management Plan.

Discharge date	Location	Map reference #	Method of measuring discharge	Rationale for sample locations	Volume
01/26/2023 12:08 PM	To Field G-7	Page 5	Flow X hours	None	9,000 *gal*

B. STORM WATER DISCHARGES

The following is a summary of all storm water discharges from the production area to surface water during the reporting period when not in accordance with the facility 's Nutrient Management Plan.

No stormwater discharges occurred during the reporting period.

C. LAND APPLICATION AREA TO SURFACE WATER DISCHARGES

The following is a summary of all discharges from the land application area to surface water that have occurred during the reporting period when not in accordance with the facility's Nutrient Management Plan.

No land application area to surface water discharges occurred during the reporting period.

NUTRIENT MANAGEMENT PLAN AND EXPORT AGREEMENT STATEMENTS

A. NUTRIENT MANAGEMENT PLAN STATEMENTS

Was the facility's NMP updated in the reporting period? No

Was the facility's NMP developed by a certified nutrient management planner (specialist) as specified in Attachment C of the General Order? Yes

Was the facility's NMP approved by a certified nutrient management planner (specialist) as specified in Attachment C of the General Order? Yes

B. EXPORT AGREEMENT STATEMENT

Are there any written agreements with third parties to receive manure or process wastewater that are new or were revised within the reporting period? No

ADDITIONAL NOTES

A. NOTES

*Field G-1 & G-7 Corn Silage was not sample in 2023, we will be sure to sample in 2024.

Annual Report - General Order No. R5-2007-0035
Reporting period 01/01/2023 to 12/31/2023.

CERTIFICATION

A. OWNER AND/OR OPERATOR CERTIFICATION

I certify under penalty of law that I have personally examined and am familiar with the information submitted in this document and all attachments and that, based on my inquiry of those individuals immediately responsible for obtaining the information, I believe that the information is true, accurate, and complete. I am aware that there are significant penalties for submitting false information, including the possibility of fine and imprisonment.

X Tony Garcia	
SIGNATURE OF OWNER OF FACILITY	SIGNATURE OF OPERATOR OF FACILITY
Tony & Fatima Garcia	SAME AS OWNER
PRINT OR TYPE NAME	PRINT OR TYPE NAME
7-16-24	
DATE	DATE

Annual Report - General Order No. R5-2007-0035
Reporting period 01/01/2023 to 12/31/2023.

ATTACHMENTS

A. REQUIRED ATTACHMENTS

The following lists the required documents that should be attached to the Annual Report when submitted .

Annual Dairy Facility Assessment	N/A
Provide an Annual Dairy Facility Assessment (an update to the Preliminary Dairy Facility Assessment in Attachment A) for each reporting period. On the PDFA Final page, click on the ADFA Report button to generate an ADFA report after updating information as needed .	

Manure/Process Wastewater Tracking Manifests	See Attachments
Provide copies of all manure/process wastewater tracking manifests for the reporting period, signed by both the owner/operator and the hauler.	

Corrective Actions Documents	N/A
Provide records documenting any corrective actions taken to correct deficiencies noted as a result of the inspections required in the Monitoring Requirements of the General Order. Deficiencies not corrected in 30 days must be accompanied by an explanation of the factors preventing immediate correction.	

Discharge Maps	N/A
Provide map(s) showing the discharge and sample locations for each discharge or release of waste to land areas (land application areas or otherwise) or surface water.	

Discharge Lab Reports	N/A
Provide copies of laboratory analyses of all discharges (manure, process wastewater, or tailwater), surface water (upstream and downstream of a discharge), and storm water, including chain-of-custody forms and laboratory quality assurance/quality control results.	

Groundwater Monitoring	N/A
Dischargers that monitor supply wells or subsurface (tile) drainage systems, or that have monitoring well systems must submit monitoring results as directed in the General Order, Groundwater Reporting Section starting on page MRP-13.	

Storm Water Monitoring	N/A
Dischargers that are required to monitor storm water more frequently than required in the General Order must submit monitoring results as directed in the General Order, Storm Water Reporting Section on page MRP-14.	