Annual Report - General Order No. R5-2007-0035
Reporting period 01/01/2023 to 12/31/2023.

DAIRY FACILITY INFORMATION

A. NAME OF DAIRY OR BUSINESS OPERATING THE DAIRY: Dewit Dairy

Physical address of dairy:

Number and Street	City	County	Zip Code
6610 E Collier RD	Acampo	San Joaquin	95220

Street and nearest cross street (if no address):

Date facility was originally placed in operation: 06/01/1970

Regional Water Quality Control Board Basin Plan designation: San Joaquin River Basin

County Assessor Parcel Number(s) for dairy facility:

X005-X250-XX04-XXXX X005-X250-XX57-XXXX

B. OPERATORS

Dewit, Eric

Operator name: Dewit, Eric

Telephone no.: Landline: ; Cellular: (209) 423-3783

Mailing Address Number and Street	City	State	Zip Code
26027 N Dustin RD	Acampo	CA	95220

This operator is responsible for paying permit fees.

C. OWNERS

Dewit, Eric

Legal owner name: Dewit, Eric

Telephone no.: Landline: ; Cellular: (209) 423-3783

Mailing Address Number and Street	City	State	Zip Code
26027 N Dustin RD	Acampo	CA	95220

This owner is responsible for paying permit fees.

AVAILABLE NUTRIENTS

A. HERD INFORMATION

	Milk Cows	Dry Cows	Bred Heifers (15-24 mo.)	Heifers (7-14 mo. to breeding)	Calves (4-6 mo.)	Calves (0-3 mo.)
Number open confinement	0	0	375	0	0	0
Number under roof	1,400	120	0	295	210	200
Maximum number	1,400	120	375	295	210	200
Average number	1,400	120	375	295	210	200
Avg live weight (lbs)	1,400	1,450	1,000	700		

Predominant milk cow breed: Holstein

Average milk production: 75 *pounds per cow per day*

B. MANURE GENERATED

Total manure excreted by the herd: 46,626.74 *tons per reporting period*

Total nitrogen from manure: 586,707.36 *lbs per reporting period*

After ammonia losses (30% loss applied): 410,695.15 *lbs per reporting period*

Total phosphorus from manure: 96,596.52 *lbs per reporting period*

Total potassium from manure: 272,711.92 *lbs per reporting period*

Total salt from manure: 686,784.00 *lbs per reporting period*

C. PROCESS WASTEWATER GENERATED

Process wastewater generated: 24,750,000 *gallons*

Total nitrogen generated: 110,081.40 *lbs*

Total phosphorus generated: 14,659.29 *lbs*

Total potassium generated: 166,947.90 *lbs*

Total salt generated: 923,040.45 *lbs*

	24,750,000	*gallons applied*
+	0	*gallons exported*
-	0	*gallons imported*
=	24,750,000	*gallons generated*

D. FRESH WATER SOURCES

Source Description	Type
IW Cherokee 50	Ground water
IW Cherokee 80	Ground water
IW Davids	Ground water
IW Gomes	Ground water
IW Grape	Ground water

Source Description	Type
IW Harold 50	Ground water
IW Harold New	Ground water
IW Hog Ranch	Ground water
IW School	Ground water
IW Sowles 30	Ground water
IW Sowles 50	Ground water
IW Virtue 50	Ground water
IW Virtue 75	Ground water
IW West	Ground water
IW Woods	Ground water

E. SUBSURFACE (TILE) DRAINAGE SOURCES

No subsurface (tile) drainage sources entered.

F. NUTRIENT IMPORTS

No dry manure nutrient imports entered.

No process wastewater nutrient imports entered.

Date	Material type / Description	Quantity	Reporting basis	Moisture (%)	N (%)	P (%)	K (%)	Salt (%)
06/13/2023	Solid commercial fertilizer *4-0-0*	69.50 *ton*	Dry-weight	0.1	4.000000	0.000000	0.000000	0.000000

Material type	Total N (lbs)	Total P (lbs)	Total K (lbs)	Total salt (lbs)
Commercial fertilizer / Other	5,554.44	0.00	0.00	0.00
Dry manure	0.00	0.00	0.00	0.00
Process wastewater	0.00	0.00	0.00	0.00
Total imports for all materials	5,554.44	0.00	0.00	0.00

G. NUTRIENT EXPORTS

No solid nutrient exports entered.

No liquid nutrient exports entered.

APPLICATION AREA

A. LIST OF LAND APPLICATION AREAS

Field name	Controlled acres	Cropable acres	Total harvests	Type of waste applied	Parcel number
cherrokee 40 acre	40	38	2	manure	X005-X200-XX17-XXXX
Cherrokee 80 acre	76	76	1	none	X005-X200-XX15-XXXX
Eric's	20	17	2	both	X005-X240-XX12-XXXX
Ferguson 1	40	34	1	manure	X152-0230-X028-0000 X152-0230-X044-0000
Gomes	40	36	2	both	X005-X240-XX10-XXXX
Grape	30	30	2	process wastewater	X005-X250-XX04-XXXX
Harold Rd	124	124	2	manure	X152-0270-X033-0000 X152-0270-X035-0000
Hog Ranch	78	75	2	process wastewater	X005-X240-XX07-XXXX
McVey 40 acres	40	38	1	manure	X005-X210-XX10-XXXX
New House	20	18	2	process wastewater	X005-X240-XX04-XXXX
School	18	16	2	manure	X005-X250-XX64-XXXX
Solwes Lower	47	47	2	manure	X007-X110-XX10-XXXX X007-X110-XX11-XXXX
Sowles Upper	60	60	2	manure	X007-X110-XX10-XXXX
Swingle	20	19	2	both	X005-X390-XX35-XXXX X005-X390-XX36-XXXX
Virtue Place	184	170	2	manure	X007-X090-XX20-XXXX
West	47	45	2	process wastewater	X005-X250-XX69-XXXX
Woods	80	75	1	process wastewater	X005-X250-XX05-XXXX
Totals for areas that were used for application	888	842	29		
Totals for areas that were not used for application	76	76	1		
Land application area totals	964	918	30		

B. CROPS AND HARVESTS

cherrokee 40 acre

Field name: cherrokee 40 acre

cherrokee 40 acre

10/23/2022: Oats, silage-soft dough

Crop: Oats, silage-soft dough Acres planted: 38 Plant date: 10/23/2022

Harvest date	Yield	Reporting basis	Density (lbs/cu ft)	Moisture (%)	N (mg/kg)	P (mg/kg)	K (mg/kg)	Salt (mg/kg)	TFS (%)
04/26/2023	551.00 *ton*	As-is		70.0	3,820.00	880.00	7,380.00		10.10

	Yield (tons/acre)	Total N (lbs/acre)	Total P (lbs/acre)	Total K (lbs/acre)	Salt (lbs/acre)
Anticipated harvest content	16.00	160.00	25.60	132.80	0.00
Total actual harvest content	14.50	110.78	25.52	214.02	878.70

06/13/2023: Corn, silage

Crop: Corn, silage Acres planted: 38 Plant date: 06/13/2023

Harvest date	Yield	Reporting basis	Density (lbs/cu ft)	Moisture (%)	N (mg/kg)	P (mg/kg)	K (mg/kg)	Salt (mg/kg)	TFS (%)
10/04/2023	1,026.00 *ton*	As-is		60.2	3,340.00	580.00	2,400.00		5.60

	Yield (tons/acre)	Total N (lbs/acre)	Total P (lbs/acre)	Total K (lbs/acre)	Salt (lbs/acre)
Anticipated harvest content	28.00	224.00	42.00	184.80	0.00
Total actual harvest content	27.00	180.36	31.32	129.60	1,203.55

Cherrokee 80 acre

Field name: Cherrokee 80 acre

10/29/2018: Alfalfa, hay

Crop: Alfalfa, hay Acres planted: 76 Plant date: 10/29/2018

Harvest date	Yield	Reporting basis	Density (lbs/cu ft)	Moisture (%)	N (mg/kg)	P (mg/kg)	K (mg/kg)	Salt (mg/kg)	TFS (%)
10/24/2023	570.00 *ton*	As-is		10.0	30,000.00	2,700.00	21,000.00		0.00

	Yield (tons/acre)	Total N (lbs/acre)	Total P (lbs/acre)	Total K (lbs/acre)	Salt (lbs/acre)
Anticipated harvest content	8.00	480.00	43.20	336.00	0.00
Total actual harvest content	7.50	450.00	40.50	315.00	0.00

Eric's

Field name: Eric's

10/23/2022: Oats, silage-soft dough

Crop: Oats, silage-soft dough Acres planted: 17 Plant date: 10/23/2022

Harvest date	Yield	Reporting basis	Density (lbs/cu ft)	Moisture (%)	N (mg/kg)	P (mg/kg)	K (mg/kg)	Salt (mg/kg)	TFS (%)
04/26/2023	278.80 *ton*	As-is		74.6	3,370.00	740.00	5,660.00		9.99

	Yield (tons/acre)	Total N (lbs/acre)	Total P (lbs/acre)	Total K (lbs/acre)	Salt (lbs/acre)
Anticipated harvest content	16.00	160.00	25.60	132.80	0.00
Total actual harvest content	16.40	110.54	24.27	185.65	832.29

06/03/2023: Corn, silage

Crop: Corn, silage Acres planted: 17 Plant date: 06/03/2023

Harvest date	Yield	Reporting basis	Density (lbs/cu ft)	Moisture (%)	N (mg/kg)	P (mg/kg)	K (mg/kg)	Salt (mg/kg)	TFS (%)
09/20/2023	487.90 *ton*	As-is		70.8	3,040.00	900.00	3,390.00		6.30

	Yield (tons/acre)	Total N (lbs/acre)	Total P (lbs/acre)	Total K (lbs/acre)	Salt (lbs/acre)
Anticipated harvest content	28.00	224.00	42.00	184.80	0.00
Total actual harvest content	28.70	174.50	51.66	194.59	1,055.93

Ferguson 1

Field name: Ferguson 1

10/22/2022: Oats, silage-soft dough

Crop: Oats, silage-soft dough Acres planted: 34 Plant date: 10/22/2022

Harvest date	Yield	Reporting basis	Density (lbs/cu ft)	Moisture (%)	N (mg/kg)	P (mg/kg)	K (mg/kg)	Salt (mg/kg)	TFS (%)
04/26/2023	557.60 *ton*	As-is		70.0	3,090.00	570.00	4,670.00		8.48

	Yield (tons/acre)	Total N (lbs/acre)	Total P (lbs/acre)	Total K (lbs/acre)	Salt (lbs/acre)
Anticipated harvest content	16.00	160.00	25.60	132.80	0.00
Total actual harvest content	16.40	101.35	18.70	153.18	834.43

Gomes

Field name: Gomes

10/23/2022: Oats, silage-soft dough

Crop: Oats, silage-soft dough Acres planted: 36 Plant date: 10/23/2022

Harvest date	Yield	Reporting basis	Density (lbs/cu ft)	Moisture (%)	N (mg/kg)	P (mg/kg)	K (mg/kg)	Salt (mg/kg)	TFS (%)
04/26/2023	597.60 *ton*	As-is		77.2	3,200.00	570.00	4,910.00		10.60

	Yield (tons/acre)	Total N (lbs/acre)	Total P (lbs/acre)	Total K (lbs/acre)	Salt (lbs/acre)
Anticipated harvest content	16.00	160.00	25.60	132.80	0.00
Total actual harvest content	16.60	106.24	18.92	163.01	802.38

06/03/2023: Corn, silage

Crop: Corn, silage Acres planted: 36 Plant date: 06/03/2023

Harvest date	Yield	Reporting basis	Density (lbs/cu ft)	Moisture (%)	N (mg/kg)	P (mg/kg)	K (mg/kg)	Salt (mg/kg)	TFS (%)
09/20/2023	1,018.80 *ton*	As-is		70.2	3,160.00	820.00	3,240.00		5.10

	Yield (tons/acre)	Total N (lbs/acre)	Total P (lbs/acre)	Total K (lbs/acre)	Salt (lbs/acre)
Anticipated harvest content	28.00	224.00	42.00	184.80	0.00
Total actual harvest content	28.30	178.86	46.41	183.38	860.21

Grape

Field name: Grape

10/15/2022: Oats, silage-soft dough

Crop: Oats, silage-soft dough Acres planted: 30 Plant date: 10/15/2022

Harvest date	Yield	Reporting basis	Density (lbs/cu ft)	Moisture (%)	N (mg/kg)	P (mg/kg)	K (mg/kg)	Salt (mg/kg)	TFS (%)
04/26/2023	498.00 *ton*	As-is		75.2	3,120.00	680.00	5,700.00		12.00

	Yield (tons/acre)	Total N (lbs/acre)	Total P (lbs/acre)	Total K (lbs/acre)	Salt (lbs/acre)
Anticipated harvest content	16.00	160.00	25.60	132.80	0.00
Total actual harvest content	16.60	103.58	22.58	189.24	988.03

Grape

06/22/2023: Corn, silage

Crop: Corn, silage Acres planted: 30 Plant date: 06/22/2023

Harvest date	Yield	Reporting basis	Density (lbs/cu ft)	Moisture (%)	N (mg/kg)	P (mg/kg)	K (mg/kg)	Salt (mg/kg)	TFS (%)
10/13/2023	849.00 *ton*	As-is		70.0	3,420.00	420.00	5,990.00		6.10

	Yield (tons/acre)	Total N (lbs/acre)	Total P (lbs/acre)	Total K (lbs/acre)	Salt (lbs/acre)
Anticipated harvest content	28.00	224.00	42.00	184.80	0.00
Total actual harvest content	28.30	193.57	23.77	339.03	1,035.78

Harold Rd

Field name: Harold Rd

10/13/2022: Oats, silage-soft dough

Crop: Oats, silage-soft dough Acres planted: 124 Plant date: 10/13/2022

Harvest date	Yield	Reporting basis	Density (lbs/cu ft)	Moisture (%)	N (mg/kg)	P (mg/kg)	K (mg/kg)	Salt (mg/kg)	TFS (%)
04/25/2023	2,083.20 *ton*	As-is		78.0	3,860.00	630.00	6,640.00		10.30

	Yield (tons/acre)	Total N (lbs/acre)	Total P (lbs/acre)	Total K (lbs/acre)	Salt (lbs/acre)
Anticipated harvest content	16.00	160.00	25.60	132.80	0.00
Total actual harvest content	16.80	129.70	21.17	223.10	761.38

06/10/2023: Corn, silage

Crop: Corn, silage Acres planted: 124 Plant date: 06/10/2023

Harvest date	Yield	Reporting basis	Density (lbs/cu ft)	Moisture (%)	N (mg/kg)	P (mg/kg)	K (mg/kg)	Salt (mg/kg)	TFS (%)
09/27/2023	3,546.40 *ton*	As-is		70.6	3,000.00	510.00	3,620.00		5.20

	Yield (tons/acre)	Total N (lbs/acre)	Total P (lbs/acre)	Total K (lbs/acre)	Salt (lbs/acre)
Anticipated harvest content	28.00	224.00	42.00	184.80	0.00
Total actual harvest content	28.60	171.60	29.17	207.06	874.47

Hog Ranch

Field name: Hog Ranch

10/19/2022: Oats, silage-soft dough

Crop: Oats, silage-soft dough Acres planted: 75 Plant date: 10/19/2022

Harvest date	Yield	Reporting basis	Density (lbs/cu ft)	Moisture (%)	N (mg/kg)	P (mg/kg)	K (mg/kg)	Salt (mg/kg)	TFS (%)
04/17/2023	1,012.50 *ton*	As-is		60.0	5,960.00	1,960.00	28,000.00		12.70

	Yield (tons/acre)	Total N (lbs/acre)	Total P (lbs/acre)	Total K (lbs/acre)	Salt (lbs/acre)
Anticipated harvest content	16.00	160.00	25.60	132.80	0.00
Total actual harvest content	13.50	160.92	52.92	756.00	1,371.60

06/13/2023: Corn, silage

Crop: Corn, silage Acres planted: 75 Plant date: 06/13/2023

Harvest date	Yield	Reporting basis	Density (lbs/cu ft)	Moisture (%)	N (mg/kg)	P (mg/kg)	K (mg/kg)	Salt (mg/kg)	TFS (%)
10/14/2023	2,175.00 *ton*	As-is		71.8	3,610.00	580.00	3,630.00		5.90

	Yield (tons/acre)	Total N (lbs/acre)	Total P (lbs/acre)	Total K (lbs/acre)	Salt (lbs/acre)
Anticipated harvest content	28.00	224.00	42.00	184.80	0.00
Total actual harvest content	29.00	209.38	33.64	210.54	965.00

McVey 40 acres

Field name: McVey 40 acres

10/18/2022: Oats, silage-soft dough

Crop: Oats, silage-soft dough Acres planted: 38 Plant date: 10/18/2022

Harvest date	Yield	Reporting basis	Density (lbs/cu ft)	Moisture (%)	N (mg/kg)	P (mg/kg)	K (mg/kg)	Salt (mg/kg)	TFS (%)
04/17/2023	543.40 *ton*	As-is		72.6	5,230.00	1,400.00	20,400.00		12.50

	Yield (tons/acre)	Total N (lbs/acre)	Total P (lbs/acre)	Total K (lbs/acre)	Salt (lbs/acre)
Anticipated harvest content	16.00	160.00	25.60	132.80	0.00
Total actual harvest content	14.30	149.58	40.04	583.44	979.55

New House

Field name: New House

10/02/2022: Oats, silage-soft dough

Crop: Oats, silage-soft dough Acres planted: 18 Plant date: 10/02/2022

Harvest date	Yield	Reporting basis	Density (lbs/cu ft)	Moisture (%)	N (mg/kg)	P (mg/kg)	K (mg/kg)	Salt (mg/kg)	TFS (%)
04/14/2023	244.60 *ton*	As-is		61.2	4,730.00	1,400.00	21,800.00		10.40

	Yield (tons/acre)	Total N (lbs/acre)	Total P (lbs/acre)	Total K (lbs/acre)	Salt (lbs/acre)
Anticipated harvest content	16.00	160.00	25.60	132.80	0.00
Total actual harvest content	13.59	128.55	38.05	592.48	1,096.68

06/23/2023: Corn, silage

Crop: Corn, silage Acres planted: 18 Plant date: 06/23/2023

Harvest date	Yield	Reporting basis	Density (lbs/cu ft)	Moisture (%)	N (mg/kg)	P (mg/kg)	K (mg/kg)	Salt (mg/kg)	TFS (%)
10/14/2023	507.60 *ton*	As-is		70.0	3,630.00	380.00	5,650.00		7.30

	Yield (tons/acre)	Total N (lbs/acre)	Total P (lbs/acre)	Total K (lbs/acre)	Salt (lbs/acre)
Anticipated harvest content	28.00	224.00	42.00	184.80	0.00
Total actual harvest content	28.20	204.73	21.43	318.66	1,235.16

School

Field name: School

10/21/2022: Oats, silage-soft dough

Crop: Oats, silage-soft dough Acres planted: 16 Plant date: 10/21/2022

Harvest date	Yield	Reporting basis	Density (lbs/cu ft)	Moisture (%)	N (mg/kg)	P (mg/kg)	K (mg/kg)	Salt (mg/kg)	TFS (%)
04/14/2023	217.60 *ton*	As-is		61.2	4,730.00	1,400.00	21,800.00		10.40

	Yield (tons/acre)	Total N (lbs/acre)	Total P (lbs/acre)	Total K (lbs/acre)	Salt (lbs/acre)
Anticipated harvest content	16.00	160.00	25.60	132.80	0.00
Total actual harvest content	13.60	128.66	38.08	592.96	1,097.57

School

06/23/2023: Corn, silage

Crop: Corn, silage Acres planted: 16 Plant date: 06/23/2023

Harvest date	Yield	Reporting basis	Density (lbs/cu ft)	Moisture (%)	N (mg/kg)	P (mg/kg)	K (mg/kg)	Salt (mg/kg)	TFS (%)
10/14/2023	451.20 *ton*	As-is		70.0	3,690.00	420.00	5,560.00		7.00

	Yield (tons/acre)	Total N (lbs/acre)	Total P (lbs/acre)	Total K (lbs/acre)	Salt (lbs/acre)
Anticipated harvest content	28.00	224.00	42.00	184.80	0.00
Total actual harvest content	28.20	208.12	23.69	313.58	1,184.40

Solwes Lower

Field name: Solwes Lower

10/20/2022: Oats, silage-soft dough

Crop: Oats, silage-soft dough Acres planted: 47 Plant date: 10/20/2022

Harvest date	Yield	Reporting basis	Density (lbs/cu ft)	Moisture (%)	N (mg/kg)	P (mg/kg)	K (mg/kg)	Salt (mg/kg)	TFS (%)
04/27/2023	784.50 *ton*	As-is		78.2	3,130.00	490.00	4,240.00		9.21

	Yield (tons/acre)	Total N (lbs/acre)	Total P (lbs/acre)	Total K (lbs/acre)	Salt (lbs/acre)
Anticipated harvest content	16.00	160.00	25.60	132.80	0.00
Total actual harvest content	16.69	104.49	16.36	141.54	670.26

06/03/2023: Corn, silage

Crop: Corn, silage Acres planted: 47 Plant date: 06/03/2023

Harvest date	Yield	Reporting basis	Density (lbs/cu ft)	Moisture (%)	N (mg/kg)	P (mg/kg)	K (mg/kg)	Salt (mg/kg)	TFS (%)
09/20/2023	1,292.50 *ton*	As-is		65.8	2,870.00	1,060.00	3,940.00		7.40

	Yield (tons/acre)	Total N (lbs/acre)	Total P (lbs/acre)	Total K (lbs/acre)	Salt (lbs/acre)
Anticipated harvest content	28.00	224.00	42.00	184.80	0.00
Total actual harvest content	27.50	157.85	58.30	216.70	1,391.94

Sowles Upper

Field name: Sowles Upper

10/20/2022: Oats, silage-soft dough

Crop: Oats, silage-soft dough Acres planted: 60 Plant date: 10/20/2022

Harvest date	Yield	Reporting basis	Density (lbs/cu ft)	Moisture (%)	N (mg/kg)	P (mg/kg)	K (mg/kg)	Salt (mg/kg)	TFS (%)
04/27/2023	1,008.00 *ton*	As-is		78.6	3,610.00	510.00	4,390.00		9.95

	Yield (tons/acre)	Total N (lbs/acre)	Total P (lbs/acre)	Total K (lbs/acre)	Salt (lbs/acre)
Anticipated harvest content	16.00	160.00	25.60	132.80	0.00
Total actual harvest content	16.80	121.30	17.14	147.50	715.44

06/03/2023: Corn, silage

Crop: Corn, silage Acres planted: 60 Plant date: 06/03/2023

Harvest date	Yield	Reporting basis	Density (lbs/cu ft)	Moisture (%)	N (mg/kg)	P (mg/kg)	K (mg/kg)	Salt (mg/kg)	TFS (%)
09/20/2023	1,644.00 *ton*	As-is		65.2	3,310.00	1,190.00	3,540.00		7.20

	Yield (tons/acre)	Total N (lbs/acre)	Total P (lbs/acre)	Total K (lbs/acre)	Salt (lbs/acre)
Anticipated harvest content	28.00	224.00	42.00	184.80	0.00
Total actual harvest content	27.40	181.39	65.21	193.99	1,373.07

Swingle

Field name: Swingle

10/17/2022: Oats, silage-soft dough

Crop: Oats, silage-soft dough Acres planted: 19 Plant date: 10/17/2022

Harvest date	Yield	Reporting basis	Density (lbs/cu ft)	Moisture (%)	N (mg/kg)	P (mg/kg)	K (mg/kg)	Salt (mg/kg)	TFS (%)
04/27/2023	319.20 *ton*	As-is		78.6	3,000.00	600.00	4,810.00		10.80

	Yield (tons/acre)	Total N (lbs/acre)	Total P (lbs/acre)	Total K (lbs/acre)	Salt (lbs/acre)
Anticipated harvest content	16.00	160.00	25.60	132.80	0.00
Total actual harvest content	16.80	100.80	20.16	161.62	776.56

Swingle

06/24/2023: Corn, silage

Crop: Corn, silage Acres planted: 19 Plant date: 06/24/2023

Harvest date	Yield	Reporting basis	Density (lbs/cu ft)	Moisture (%)	N (mg/kg)	P (mg/kg)	K (mg/kg)	Salt (mg/kg)	TFS (%)
10/15/2023	535.60 *ton*	As-is		70.0	3,450.00	790.00	5,660.00		7.60

	Yield (tons/acre)	Total N (lbs/acre)	Total P (lbs/acre)	Total K (lbs/acre)	Salt (lbs/acre)
Anticipated harvest content	28.00	224.00	42.00	184.80	0.00
Total actual harvest content	28.19	194.51	44.54	319.10	1,285.44

Virtue Place

Field name: Virtue Place

10/17/2022: Oats, silage-soft dough

Crop: Oats, silage-soft dough Acres planted: 170 Plant date: 10/17/2022

Harvest date	Yield	Reporting basis	Density (lbs/cu ft)	Moisture (%)	N (mg/kg)	P (mg/kg)	K (mg/kg)	Salt (mg/kg)	TFS (%)
04/27/2023	2,380.00 *ton*	As-is		66.8	4,050.00	790.00	5,240.00		8.37

	Yield (tons/acre)	Total N (lbs/acre)	Total P (lbs/acre)	Total K (lbs/acre)	Salt (lbs/acre)
Anticipated harvest content	16.00	160.00	25.60	132.80	0.00
Total actual harvest content	14.00	113.40	22.12	146.72	778.08

06/14/2023: Corn, silage

Crop: Corn, silage Acres planted: 170 Plant date: 06/14/2023

Harvest date	Yield	Reporting basis	Density (lbs/cu ft)	Moisture (%)	N (mg/kg)	P (mg/kg)	K (mg/kg)	Salt (mg/kg)	TFS (%)
10/05/2023	4,726.00 *ton*	As-is		67.2	3,610.00	470.00	2,060.00		5.60

	Yield (tons/acre)	Total N (lbs/acre)	Total P (lbs/acre)	Total K (lbs/acre)	Salt (lbs/acre)
Anticipated harvest content	28.00	224.00	42.00	184.80	0.00
Total actual harvest content	27.80	200.72	26.13	114.54	1,021.26

West

Field name: West

10/22/2022: Oats, silage-soft dough

Crop: Oats, silage-soft dough Acres planted: 45 Plant date: 10/22/2022

Harvest date	Yield	Reporting basis	Density (lbs/cu ft)	Moisture (%)	N (mg/kg)	P (mg/kg)	K (mg/kg)	Salt (mg/kg)	TFS (%)
04/14/2023	765.00 *ton*	As-is		79.8	5,700.00	1,560.00	17,200.00		15.50

	Yield (tons/acre)	Total N (lbs/acre)	Total P (lbs/acre)	Total K (lbs/acre)	Salt (lbs/acre)
Anticipated harvest content	16.00	160.00	25.60	132.80	0.00
Total actual harvest content	17.00	193.80	53.04	584.80	1,064.54

06/24/2023: Corn, silage

Crop: Corn, silage Acres planted: 45 Plant date: 06/24/2023

Harvest date	Yield	Reporting basis	Density (lbs/cu ft)	Moisture (%)	N (mg/kg)	P (mg/kg)	K (mg/kg)	Salt (mg/kg)	TFS (%)
10/15/2023	1,251.00 *ton*	As-is		67.2	3,770.00	770.00	5,010.00		7.10

	Yield (tons/acre)	Total N (lbs/acre)	Total P (lbs/acre)	Total K (lbs/acre)	Salt (lbs/acre)
Anticipated harvest content	28.00	224.00	42.00	184.80	0.00
Total actual harvest content	27.80	209.61	42.81	278.56	1,294.81

Woods

Field name: Woods

04/20/2021: Alfalfa, hay

Crop: Alfalfa, hay Acres planted: 75 Plant date: 04/20/2021

Harvest date	Yield	Reporting basis	Density (lbs/cu ft)	Moisture (%)	N (mg/kg)	P (mg/kg)	K (mg/kg)	Salt (mg/kg)	TFS (%)
10/24/2023	577.50 *ton*	As-is		10.0	30,000.00	2,700.00	21,000.00		0.00

	Yield (tons/acre)	Total N (lbs/acre)	Total P (lbs/acre)	Total K (lbs/acre)	Salt (lbs/acre)
Anticipated harvest content	8.00	480.00	43.20	336.00	0.00
Total actual harvest content	7.70	462.00	41.58	323.40	0.00

NUTRIENT BUDGET

A. LAND APPLICATIONS

cherrokee 40 acre - 10/23/2022: Oats, silage-soft dough

Field name: cherrokee 40 acre

Crop: Oats, silage-soft dough — Plant date: 10/23/2022

Application date	Application method	Precipitation 24 hours prior	Precipitation during application	Precipitation 24 hours following
10/10/2022	Broadcast/incorporate	No precipitation	No precipitation	No precipitation

Source description	Material type	N (lbs/acre)	P (lbs/acre)	K (lbs/acre)	Salt (lbs/acre)	Amount
Separator Solids	Separator solids	143.41	36.78	276.97	1,499.79	320.00 *ton*
Application event totals		143.41	36.78	276.97	1,499.79	

cherrokee 40 acre - 06/13/2023: Corn, silage

Field name: cherrokee 40 acre

Crop: Corn, silage — Plant date: 06/13/2023

Application date	Application method	Precipitation 24 hours prior	Precipitation during application	Precipitation 24 hours following
05/12/2023	Broadcast/incorporate	No precipitation	No precipitation	No precipitation

Source description	Material type	N (lbs/acre)	P (lbs/acre)	K (lbs/acre)	Salt (lbs/acre)	Amount
Separator Solids	Separator solids	212.05	39.51	205.47	1,186.71	910.00 *ton*
Application event totals		212.05	39.51	205.47	1,186.71	

Application date	Application method	Precipitation 24 hours prior	Precipitation during application	Precipitation 24 hours following
05/23/2023	Surface (irrigation)	No precipitation	No precipitation	No precipitation

Source description	Material type	N (lbs/acre)	P (lbs/acre)	K (lbs/acre)	Salt (lbs/acre)	Amount
IW Cherokee 50	Ground water	1.51	0.00	0.00	211.58	4,992,000.00 *gal*
Application event totals		1.51	0.00	0.00	211.58	

Application date	Application method	Precipitation 24 hours prior	Precipitation during application	Precipitation 24 hours following
06/13/2023	Sidedress	No precipitation	No precipitation	No precipitation

Source description	Material type	N (lbs/acre)	P (lbs/acre)	K (lbs/acre)	Salt (lbs/acre)	Amount
4-0-0	Solid commercial fertilizer	8.00	0.00	0.00	0.00	
Application event totals		8.00	0.00	0.00	0.00	

cherrokee 40 acre - 06/13/2023: Corn, silage

Application date	Application method	Precipitation 24 hours prior	Precipitation during application	Precipitation 24 hours following
07/04/2023	Surface (irrigation)	No precipitation	No precipitation	No precipitation

Source description	Material type	N (lbs/acre)	P (lbs/acre)	K (lbs/acre)	Salt (lbs/acre)	Amount
IW Cherokee 50	Ground water	1.45	0.00	0.00	203.44	4,800,000.00 *gal*
Application event totals		1.45	0.00	0.00	203.44	

Application date	Application method	Precipitation 24 hours prior	Precipitation during application	Precipitation 24 hours following
07/18/2023	Surface (irrigation)	No precipitation	No precipitation	No precipitation

Source description	Material type	N (lbs/acre)	P (lbs/acre)	K (lbs/acre)	Salt (lbs/acre)	Amount
IW Cherokee 50	Ground water	1.43	0.00	0.00	199.37	4,704,000.00 *gal*
Application event totals		1.43	0.00	0.00	199.37	

Application date	Application method	Precipitation 24 hours prior	Precipitation during application	Precipitation 24 hours following
08/01/2023	Surface (irrigation)	No precipitation	No precipitation	No precipitation

Source description	Material type	N (lbs/acre)	P (lbs/acre)	K (lbs/acre)	Salt (lbs/acre)	Amount
IW Cherokee 50	Ground water	1.34	0.00	0.00	187.17	4,416,000.00 *gal*
Application event totals		1.34	0.00	0.00	187.17	

Application date	Application method	Precipitation 24 hours prior	Precipitation during application	Precipitation 24 hours following
08/15/2023	Surface (irrigation)	No precipitation	No precipitation	No precipitation

Source description	Material type	N (lbs/acre)	P (lbs/acre)	K (lbs/acre)	Salt (lbs/acre)	Amount
IW Cherokee 50	Ground water	1.35	0.00	0.00	189.20	4,464,000.00 *gal*
Application event totals		1.35	0.00	0.00	189.20	

Application date	Application method	Precipitation 24 hours prior	Precipitation during application	Precipitation 24 hours following
08/29/2023	Surface (irrigation)	No precipitation	No precipitation	No precipitation

Source description	Material type	N (lbs/acre)	P (lbs/acre)	K (lbs/acre)	Salt (lbs/acre)	Amount
IW Cherokee 50	Ground water	1.34	0.00	0.00	187.17	4,416,000.00 *gal*
Application event totals		1.34	0.00	0.00	187.17	

Application date	Application method	Precipitation 24 hours prior	Precipitation during application	Precipitation 24 hours following
09/12/2023	Surface (irrigation)	No precipitation	No precipitation	No precipitation

Source description	Material type	N (lbs/acre)	P (lbs/acre)	K (lbs/acre)	Salt (lbs/acre)	Amount
IW Cherokee 50	Ground water	1.31	0.00	0.00	183.10	4,320,000.00 *gal*
Application event totals		1.31	0.00	0.00	183.10	

Cherrokee 80 acre - 10/29/2018: Alfalfa, hay

Cherrokee 80 acre - 10/29/2018: Alfalfa, hay

Field name: Cherrokee 80 acre

Crop: Alfalfa, hay

Plant date: 10/29/2018

Application date	Application method	Precipitation 24 hours prior	Precipitation during application	Precipitation 24 hours following
04/18/2023	Surface (irrigation)	No precipitation	No precipitation	No precipitation

Source description	Material type	N (lbs/acre)	P (lbs/acre)	K (lbs/acre)	Salt (lbs/acre)	Amount
IW Cherokee 80	Ground water	1.55	0.00	0.00	182.61	9,396,000.00 *gal*
Application event totals		1.55	0.00	0.00	182.61	

Application date	Application method	Precipitation 24 hours prior	Precipitation during application	Precipitation 24 hours following
05/15/2023	Surface (irrigation)	No precipitation	No precipitation	No precipitation

Source description	Material type	N (lbs/acre)	P (lbs/acre)	K (lbs/acre)	Salt (lbs/acre)	Amount
IW Cherokee 80	Ground water	1.52	0.00	0.00	179.46	9,234,000.00 *gal*
Application event totals		1.52	0.00	0.00	179.46	

Application date	Application method	Precipitation 24 hours prior	Precipitation during application	Precipitation 24 hours following
06/11/2023	Surface (irrigation)	No precipitation	No precipitation	No precipitation

Source description	Material type	N (lbs/acre)	P (lbs/acre)	K (lbs/acre)	Salt (lbs/acre)	Amount
IW Cherokee 80	Ground water	1.51	0.00	0.00	178.41	9,180,000.00 *gal*
Application event totals		1.51	0.00	0.00	178.41	

Application date	Application method	Precipitation 24 hours prior	Precipitation during application	Precipitation 24 hours following
07/08/2023	Surface (irrigation)	No precipitation	No precipitation	No precipitation

Source description	Material type	N (lbs/acre)	P (lbs/acre)	K (lbs/acre)	Salt (lbs/acre)	Amount
IW Cherokee 80	Ground water	1.52	0.00	0.00	179.46	9,234,000.00 *gal*
Application event totals		1.52	0.00	0.00	179.46	

Application date	Application method	Precipitation 24 hours prior	Precipitation during application	Precipitation 24 hours following
07/22/2023	Surface (irrigation)	No precipitation	No precipitation	No precipitation

Source description	Material type	N (lbs/acre)	P (lbs/acre)	K (lbs/acre)	Salt (lbs/acre)	Amount
IW Cherokee 80	Ground water	1.50	0.00	0.00	177.36	9,126,000.00 *gal*
Application event totals		1.50	0.00	0.00	177.36	

Application date	Application method	Precipitation 24 hours prior	Precipitation during application	Precipitation 24 hours following
08/05/2023	Surface (irrigation)	No precipitation	No precipitation	No precipitation

Source description	Material type	N (lbs/acre)	P (lbs/acre)	K (lbs/acre)	Salt (lbs/acre)	Amount
IW Cherokee 80	Ground water	1.49	0.00	0.00	176.31	9,072,000.00 *gal*
Application event totals		1.49	0.00	0.00	176.31	

Cherrokee 80 acre - 10/29/2018: Alfalfa, hay

Application date	Application method	Precipitation 24 hours prior	Precipitation during application	Precipitation 24 hours following
08/19/2023	Surface (irrigation)	No precipitation	No precipitation	No precipitation

Source description	Material type	N (lbs/acre)	P (lbs/acre)	K (lbs/acre)	Salt (lbs/acre)	Amount
IW Cherokee 80	Ground water	1.51	0.00	0.00	178.41	9,180,000.00 *gal*
Application event totals		1.51	0.00	0.00	178.41	

Application date	Application method	Precipitation 24 hours prior	Precipitation during application	Precipitation 24 hours following
09/28/2023	Surface (irrigation)	No precipitation	No precipitation	No precipitation

Source description	Material type	N (lbs/acre)	P (lbs/acre)	K (lbs/acre)	Salt (lbs/acre)	Amount
IW Cherokee 80	Ground water	1.49	0.00	0.00	176.31	9,072,000.00 *gal*
Application event totals		1.49	0.00	0.00	176.31	

Application date	Application method	Precipitation 24 hours prior	Precipitation during application	Precipitation 24 hours following
10/24/2023	Surface (irrigation)	No precipitation	No precipitation	No precipitation

Source description	Material type	N (lbs/acre)	P (lbs/acre)	K (lbs/acre)	Salt (lbs/acre)	Amount
IW Cherokee 80	Ground water	1.49	0.00	0.00	175.27	9,018,000.00 *gal*
Application event totals		1.49	0.00	0.00	175.27	

Eric's - 10/23/2022: Oats, silage-soft dough

Field name: Eric's

Crop: Oats, silage-soft dough Plant date: 10/23/2022

Application date	Application method	Precipitation 24 hours prior	Precipitation during application	Precipitation 24 hours following
10/06/2022	Surface (irrigation)	No precipitation	No precipitation	No precipitation

Source description	Material type	N (lbs/acre)	P (lbs/acre)	K (lbs/acre)	Salt (lbs/acre)	Amount
WWS	Process wastewater sludge	121.17	48.32	365.51	976.37	510,000.00 *gal*
Application event totals		121.17	48.32	365.51	976.37	

Eric's - 06/03/2023: Corn, silage

Field name: Eric's

Crop: Corn, silage Plant date: 06/03/2023

Eric's - 06/03/2023: Corn, silage

Application date	Application method	Precipitation 24 hours prior	Precipitation during application	Precipitation 24 hours following
05/13/2023	Surface (irrigation)	No precipitation	No precipitation	No precipitation

Source description	Material type	N (lbs/acre)	P (lbs/acre)	K (lbs/acre)	Salt (lbs/acre)	Amount
IW Davids	Ground water	1.20	0.00	0.00	207.05	2,220,000.00 *gal*
Application event totals		1.20	0.00	0.00	207.05	

Application date	Application method	Precipitation 24 hours prior	Precipitation during application	Precipitation 24 hours following
05/09/2023	Broadcast/incorporate	No precipitation	No precipitation	No precipitation

Source description	Material type	N (lbs/acre)	P (lbs/acre)	K (lbs/acre)	Salt (lbs/acre)	Amount
Separator Solids	Separator solids	213.56	39.79	206.93	1,195.15	410.00 *ton*
Application event totals		213.56	39.79	206.93	1,195.15	

Application date	Application method	Precipitation 24 hours prior	Precipitation during application	Precipitation 24 hours following
06/03/2023	Sidedress	No precipitation	No precipitation	No precipitation

Source description	Material type	N (lbs/acre)	P (lbs/acre)	K (lbs/acre)	Salt (lbs/acre)	Amount
4-0-0	Solid commercial fertilizer	8.00	0.00	0.00	0.00	
Application event totals		8.00	0.00	0.00	0.00	

Application date	Application method	Precipitation 24 hours prior	Precipitation during application	Precipitation 24 hours following
06/17/2023	Surface (irrigation)	No precipitation	No precipitation	No precipitation

Source description	Material type	N (lbs/acre)	P (lbs/acre)	K (lbs/acre)	Salt (lbs/acre)	Amount
IW Davids	Ground water	1.14	0.00	0.00	196.98	2,112,000.00 *gal*
Application event totals		1.14	0.00	0.00	196.98	

Application date	Application method	Precipitation 24 hours prior	Precipitation during application	Precipitation 24 hours following
07/01/2023	Surface (irrigation)	No precipitation	No precipitation	No precipitation

Source description	Material type	N (lbs/acre)	P (lbs/acre)	K (lbs/acre)	Salt (lbs/acre)	Amount
IW Davids	Ground water	1.13	0.00	0.00	195.86	2,100,000.00 *gal*
Application event totals		1.13	0.00	0.00	195.86	

Application date	Application method	Precipitation 24 hours prior	Precipitation during application	Precipitation 24 hours following
07/15/2023	Surface (irrigation)	No precipitation	No precipitation	No precipitation

Source description	Material type	N (lbs/acre)	P (lbs/acre)	K (lbs/acre)	Salt (lbs/acre)	Amount
IW Davids	Ground water	1.14	0.00	0.00	196.98	2,112,000.00 *gal*
Application event totals		1.14	0.00	0.00	196.98	

Eric's - 06/03/2023: Corn, silage

Application date	Application method	Precipitation 24 hours prior	Precipitation during application	Precipitation 24 hours following
07/29/2023	Surface (irrigation)	No precipitation	No precipitation	No precipitation

Source description	Material type	N (lbs/acre)	P (lbs/acre)	K (lbs/acre)	Salt (lbs/acre)	Amount
IW Davids	Ground water	1.13	0.00	0.00	194.74	2,088,000.00 *gal*
Application event totals		1.13	0.00	0.00	194.74	

Application date	Application method	Precipitation 24 hours prior	Precipitation during application	Precipitation 24 hours following
08/12/2023	Surface (irrigation)	No precipitation	No precipitation	No precipitation

Source description	Material type	N (lbs/acre)	P (lbs/acre)	K (lbs/acre)	Salt (lbs/acre)	Amount
IW Davids	Ground water	1.10	0.00	0.00	190.27	2,040,000.00 *gal*
Application event totals		1.10	0.00	0.00	190.27	

Application date	Application method	Precipitation 24 hours prior	Precipitation during application	Precipitation 24 hours following
08/26/2023	Surface (irrigation)	No precipitation	No precipitation	No precipitation

Source description	Material type	N (lbs/acre)	P (lbs/acre)	K (lbs/acre)	Salt (lbs/acre)	Amount
IW Davids	Ground water	1.08	0.00	0.00	185.79	1,992,000.00 *gal*
Application event totals		1.08	0.00	0.00	185.79	

Ferguson 1 - 10/22/2022: Oats, silage-soft dough

Field name: Ferguson 1

Crop: Oats, silage-soft dough Plant date: 10/22/2022

Application date	Application method	Precipitation 24 hours prior	Precipitation during application	Precipitation 24 hours following
10/10/2022	Surface (irrigation)	No precipitation	No precipitation	No precipitation

Source description	Material type	N (lbs/acre)	P (lbs/acre)	K (lbs/acre)	Salt (lbs/acre)	Amount
Separator Solids	Separator solids	140.25	35.97	270.86	1,466.71	280.00 *ton*
Application event totals		140.25	35.97	270.86	1,466.71	

Gomes - 10/23/2022: Oats, silage-soft dough

Field name: Gomes

Crop: Oats, silage-soft dough Plant date: 10/23/2022

Gomes - 10/23/2022: Oats, silage-soft dough

Application date	Application method	Precipitation 24 hours prior	Precipitation during application	Precipitation 24 hours following
10/04/2022	Surface (irrigation)	No precipitation	No precipitation	No precipitation

Source description	Material type	N (lbs/acre)	P (lbs/acre)	K (lbs/acre)	Salt (lbs/acre)	Amount
WWS	Process wastewater sludge	121.17	48.32	365.51	976.37	1,080,000.00 *gal*
Application event totals		121.17	48.32	365.51	976.37	

Gomes - 06/03/2023: Corn, silage

Field name: Gomes

Crop: Corn, silage

Plant date: 06/03/2023

Application date	Application method	Precipitation 24 hours prior	Precipitation during application	Precipitation 24 hours following
05/13/2023	Surface (irrigation)	No precipitation	No precipitation	No precipitation

Source description	Material type	N (lbs/acre)	P (lbs/acre)	K (lbs/acre)	Salt (lbs/acre)	Amount
IW Gomes	Ground water	1.38	0.00	0.00	188.56	4,785,000.00 *gal*
Application event totals		1.38	0.00	0.00	188.56	

05/09/2023	Broadcast/incorporate	No precipitation	No precipitation	No precipitation

Source description	Material type	N (lbs/acre)	P (lbs/acre)	K (lbs/acre)	Salt (lbs/acre)	Amount
Separator Solids	Separator solids	211.54	39.42	204.97	1,183.81	860.00 *ton*
Application event totals		211.54	39.42	204.97	1,183.81	

06/03/2023	Sidedress	No precipitation	No precipitation	No precipitation

Source description	Material type	N (lbs/acre)	P (lbs/acre)	K (lbs/acre)	Salt (lbs/acre)	Amount
4-0-0	Solid commercial fertilizer	8.00	0.00	0.00	0.00	
Application event totals		8.00	0.00	0.00	0.00	

06/17/2023	Surface (irrigation)	No precipitation	No precipitation	No precipitation

Source description	Material type	N (lbs/acre)	P (lbs/acre)	K (lbs/acre)	Salt (lbs/acre)	Amount
IW Gomes	Ground water	1.31	0.00	0.00	179.46	4,554,000.00 *gal*
Application event totals		1.31	0.00	0.00	179.46	

Gomes - 06/03/2023: Corn, silage

Application date	Application method	Precipitation 24 hours prior	Precipitation during application	Precipitation 24 hours following
07/01/2023	Surface (irrigation)	No precipitation	No precipitation	No precipitation

Source description	Material type	N (lbs/acre)	P (lbs/acre)	K (lbs/acre)	Salt (lbs/acre)	Amount
IW Gomes	Ground water	1.31	0.00	0.00	179.46	4,554,000.00 *gal*
Application event totals		1.31	0.00	0.00	179.46	

Application date	Application method	Precipitation 24 hours prior	Precipitation during application	Precipitation 24 hours following
07/15/2023	Surface (irrigation)	No precipitation	No precipitation	No precipitation

Source description	Material type	N (lbs/acre)	P (lbs/acre)	K (lbs/acre)	Salt (lbs/acre)	Amount
IW Gomes	Ground water	1.28	0.00	0.00	175.56	4,455,000.00 *gal*
Application event totals		1.28	0.00	0.00	175.56	

Application date	Application method	Precipitation 24 hours prior	Precipitation during application	Precipitation 24 hours following
07/29/2023	Surface (irrigation)	No precipitation	No precipitation	No precipitation

Source description	Material type	N (lbs/acre)	P (lbs/acre)	K (lbs/acre)	Salt (lbs/acre)	Amount
IW Gomes	Ground water	1.25	0.00	0.00	171.66	4,356,000.00 *gal*
Application event totals		1.25	0.00	0.00	171.66	

Application date	Application method	Precipitation 24 hours prior	Precipitation during application	Precipitation 24 hours following
08/12/2023	Surface (irrigation)	No precipitation	No precipitation	No precipitation

Source description	Material type	N (lbs/acre)	P (lbs/acre)	K (lbs/acre)	Salt (lbs/acre)	Amount
IW Gomes	Ground water	1.21	0.00	0.00	166.45	4,224,000.00 *gal*
Application event totals		1.21	0.00	0.00	166.45	

Application date	Application method	Precipitation 24 hours prior	Precipitation during application	Precipitation 24 hours following
08/26/2023	Surface (irrigation)	No precipitation	No precipitation	No precipitation

Source description	Material type	N (lbs/acre)	P (lbs/acre)	K (lbs/acre)	Salt (lbs/acre)	Amount
IW Gomes	Ground water	1.18	0.00	0.00	161.25	4,092,000.00 *gal*
Application event totals		1.18	0.00	0.00	161.25	

Grape - 10/15/2022: Oats, silage-soft dough

Field name: Grape

Crop: Oats, silage-soft dough

Plant date: 10/15/2022

Application date	Application method	Precipitation 24 hours prior	Precipitation during application	Precipitation 24 hours following

Grape - 10/15/2022: Oats, silage-soft dough

Application date	Application method	Precipitation 24 hours prior	Precipitation during application	Precipitation 24 hours following
10/04/2022	Surface (irrigation)	No precipitation	No precipitation	No precipitation

Source description	Material type	N (lbs/acre)	P (lbs/acre)	K (lbs/acre)	Salt (lbs/acre)	Amount
WWS	Process wastewater sludge	121.17	48.32	365.51	976.37	900,000.00 *gal*
Application event totals		121.17	48.32	365.51	976.37	

Grape - 06/22/2023: Corn, silage

Field name: Grape

Crop: Corn, silage

Plant date: 06/22/2023

Application date	Application method	Precipitation 24 hours prior	Precipitation during application	Precipitation 24 hours following
06/01/2023	Surface (irrigation)	No precipitation	No precipitation	No precipitation

Source description	Material type	N (lbs/acre)	P (lbs/acre)	K (lbs/acre)	Salt (lbs/acre)	Amount
IW Grape	Ground water	3.66	0.00	0.00	252.77	3,900,000.00 *gal*
Application event totals		3.66	0.00	0.00	252.77	

06/22/2023	Sidedress	No precipitation	No precipitation	No precipitation

Source description	Material type	N (lbs/acre)	P (lbs/acre)	K (lbs/acre)	Salt (lbs/acre)	Amount
4-0-0	Solid commercial fertilizer	8.00	0.00	0.00	0.00	
Application event totals		8.00	0.00	0.00	0.00	

07/13/2023	Surface (irrigation)	No precipitation	No precipitation	No precipitation

Source description	Material type	N (lbs/acre)	P (lbs/acre)	K (lbs/acre)	Salt (lbs/acre)	Amount
IW Grape	Ground water	3.49	0.00	0.00	241.10	3,720,000.00 *gal*
Application event totals		3.49	0.00	0.00	241.10	

07/27/2023	Surface (irrigation)	No precipitation	No precipitation	No precipitation

Source description	Material type	N (lbs/acre)	P (lbs/acre)	K (lbs/acre)	Salt (lbs/acre)	Amount
IW Grape	Ground water	3.37	0.00	0.00	233.33	3,600,000.00 *gal*
Application event totals		3.37	0.00	0.00	233.33	

Grape - 06/22/2023: Corn, silage

Application date	Application method	Precipitation 24 hours prior	Precipitation during application	Precipitation 24 hours following
08/10/2023	Surface (irrigation)	No precipitation	No precipitation	No precipitation

Source description	Material type	N (lbs/acre)	P (lbs/acre)	K (lbs/acre)	Salt (lbs/acre)	Amount
WWS	Process wastewater	231.32	26.94	391.05	2,012.81	1,800,000.00 *gal*
IW Grape	Ground water	1.69	0.00	0.00	116.66	1,800,000.00 *gal*
Application event totals		233.01	26.94	391.05	2,129.48	

Application date	Application method	Precipitation 24 hours prior	Precipitation during application	Precipitation 24 hours following
08/24/2023	Surface (irrigation)	No precipitation	No precipitation	No precipitation

Source description	Material type	N (lbs/acre)	P (lbs/acre)	K (lbs/acre)	Salt (lbs/acre)	Amount
IW Grape	Ground water	3.32	0.00	0.00	229.44	3,540,000.00 *gal*
Application event totals		3.32	0.00	0.00	229.44	

Application date	Application method	Precipitation 24 hours prior	Precipitation during application	Precipitation 24 hours following
09/07/2023	Surface (irrigation)	No precipitation	No precipitation	No precipitation

Source description	Material type	N (lbs/acre)	P (lbs/acre)	K (lbs/acre)	Salt (lbs/acre)	Amount
IW Grape	Ground water	3.26	0.00	0.00	225.55	3,480,000.00 *gal*
Application event totals		3.26	0.00	0.00	225.55	

Application date	Application method	Precipitation 24 hours prior	Precipitation during application	Precipitation 24 hours following
09/21/2023	Surface (irrigation)	No precipitation	No precipitation	No precipitation

Source description	Material type	N (lbs/acre)	P (lbs/acre)	K (lbs/acre)	Salt (lbs/acre)	Amount
IW Grape	Ground water	3.18	0.00	0.00	219.72	3,390,000.00 *gal*
Application event totals		3.18	0.00	0.00	219.72	

Harold Rd - 10/13/2022: Oats, silage-soft dough

Field name: Harold Rd

Crop: Oats, silage-soft dough

Plant date: 10/13/2022

Application date	Application method	Precipitation 24 hours prior	Precipitation during application	Precipitation 24 hours following
10/08/2022	Broadcast/incorporate	No precipitation	No precipitation	No precipitation

Source description	Material type	N (lbs/acre)	P (lbs/acre)	K (lbs/acre)	Salt (lbs/acre)	Amount
Separator Solids	Separator solids	170.30	43.68	328.90	1,781.00	1,240.00 *ton*
Application event totals		170.30	43.68	328.90	1,781.00	

Harold Rd - 06/10/2023: Corn, silage

Field name: Harold Rd

Crop: Corn, silage

Plant date: 06/10/2023

Application date	Application method	Precipitation 24 hours prior	Precipitation during application	Precipitation 24 hours following
05/05/2023	Broadcast/incorporate	No precipitation	No precipitation	No precipitation

Source description	Material type	N (lbs/acre)	P (lbs/acre)	K (lbs/acre)	Salt (lbs/acre)	Amount
Corral Solids	Corral solids	208.33	68.53	715.43	21,901.62	2,750.00 *ton*
Application event totals		208.33	68.53	715.43	21,901.62	

05/10/2023	Surface (irrigation)	No precipitation	No precipitation	No precipitation

Source description	Material type	N (lbs/acre)	P (lbs/acre)	K (lbs/acre)	Salt (lbs/acre)	Amount
IW Harold New	Ground water	2.26	0.00	0.00	214.05	16,740,000.00 *gal*
Application event totals		2.26	0.00	0.00	214.05	

06/10/2023	Sidedress	No precipitation	No precipitation	No precipitation

Source description	Material type	N (lbs/acre)	P (lbs/acre)	K (lbs/acre)	Salt (lbs/acre)	Amount
4-0-0	Solid commercial fertilizer	8.00	0.00	0.00	0.00	
Application event totals		8.00	0.00	0.00	0.00	

07/10/2023	Surface (irrigation)	No precipitation	No precipitation	No precipitation

Source description	Material type	N (lbs/acre)	P (lbs/acre)	K (lbs/acre)	Salt (lbs/acre)	Amount
IW Harold New	Ground water	2.19	0.00	0.00	207.14	16,200,000.00 *gal*
Application event totals		2.19	0.00	0.00	207.14	

07/15/2023	Surface (irrigation)	No precipitation	No precipitation	No precipitation

Source description	Material type	N (lbs/acre)	P (lbs/acre)	K (lbs/acre)	Salt (lbs/acre)	Amount
IW Harold New	Ground water	2.18	0.00	0.00	205.76	16,092,000.00 *gal*
Application event totals		2.18	0.00	0.00	205.76	

Harold Rd - 06/10/2023: Corn, silage

Application date	Application method	Precipitation 24 hours prior	Precipitation during application	Precipitation 24 hours following
07/29/2023	Surface (irrigation)	No precipitation	No precipitation	No precipitation

Source description	Material type	N (lbs/acre)	P (lbs/acre)	K (lbs/acre)	Salt (lbs/acre)	Amount
IW Harold New	Ground water	2.13	0.00	0.00	201.62	15,768,000.00 *gal*
Application event totals		2.13	0.00	0.00	201.62	

Application date	Application method	Precipitation 24 hours prior	Precipitation during application	Precipitation 24 hours following
08/12/2023	Surface (irrigation)	No precipitation	No precipitation	No precipitation

Source description	Material type	N (lbs/acre)	P (lbs/acre)	K (lbs/acre)	Salt (lbs/acre)	Amount
IW Harold New	Ground water	2.12	0.00	0.00	200.24	15,660,000.00 *gal*
Application event totals		2.12	0.00	0.00	200.24	

Application date	Application method	Precipitation 24 hours prior	Precipitation during application	Precipitation 24 hours following
08/26/2023	Surface (irrigation)	No precipitation	No precipitation	No precipitation

Source description	Material type	N (lbs/acre)	P (lbs/acre)	K (lbs/acre)	Salt (lbs/acre)	Amount
IW Harold New	Ground water	2.12	0.00	0.00	200.24	15,660,000.00 *gal*
Application event totals		2.12	0.00	0.00	200.24	

Hog Ranch - 10/19/2022: Oats, silage-soft dough

Field name: Hog Ranch

Crop: Oats, silage-soft dough

Plant date: 10/19/2022

Application date	Application method	Precipitation 24 hours prior	Precipitation during application	Precipitation 24 hours following
02/08/2023	Surface (irrigation)	No precipitation	No precipitation	No precipitation

Source description	Material type	N (lbs/acre)	P (lbs/acre)	K (lbs/acre)	Salt (lbs/acre)	Amount
WWS	Process wastewater	215.30	15.27	181.14	1,820.01	2,580,000.00 *gal*
Application event totals		215.30	15.27	181.14	1,820.01	

Hog Ranch - 06/13/2023: Corn, silage

Field name: Hog Ranch

Crop: Corn, silage

Plant date: 06/13/2023

Hog Ranch - 06/13/2023: Corn, silage

Application date	Application method	Precipitation 24 hours prior	Precipitation during application	Precipitation 24 hours following
05/23/2023	Surface (irrigation)	No precipitation	No precipitation	No precipitation

Source description	Material type	N (lbs/acre)	P (lbs/acre)	K (lbs/acre)	Salt (lbs/acre)	Amount
IW Hog Ranch	Ground water	3.79	0.00	0.00	249.66	9,630,000.00 *gal*
Application event totals		3.79	0.00	0.00	249.66	

Application date	Application method	Precipitation 24 hours prior	Precipitation during application	Precipitation 24 hours following
06/13/2023	Sidedress	No precipitation	No precipitation	No precipitation

Source description	Material type	N (lbs/acre)	P (lbs/acre)	K (lbs/acre)	Salt (lbs/acre)	Amount
4-0-0	Solid commercial fertilizer	8.00	0.00	0.00	0.00	
Application event totals		8.00	0.00	0.00	0.00	

Application date	Application method	Precipitation 24 hours prior	Precipitation during application	Precipitation 24 hours following
07/04/2023	Surface (irrigation)	No precipitation	No precipitation	No precipitation

Source description	Material type	N (lbs/acre)	P (lbs/acre)	K (lbs/acre)	Salt (lbs/acre)	Amount
IW Hog Ranch	Ground water	3.72	0.00	0.00	244.99	9,450,000.00 *gal*
Application event totals		3.72	0.00	0.00	244.99	

Application date	Application method	Precipitation 24 hours prior	Precipitation during application	Precipitation 24 hours following
07/18/2023	Surface (irrigation)	No precipitation	No precipitation	No precipitation

Source description	Material type	N (lbs/acre)	P (lbs/acre)	K (lbs/acre)	Salt (lbs/acre)	Amount
WWS	Process wastewater	223.61	26.04	378.01	1,945.72	4,350,000.00 *gal*
IW Hog Ranch	Ground water	2.57	0.00	0.00	169.16	6,525,000.00 *gal*
Application event totals		226.18	26.04	378.01	2,114.88	

Application date	Application method	Precipitation 24 hours prior	Precipitation during application	Precipitation 24 hours following
08/01/2023	Surface (irrigation)	No precipitation	No precipitation	No precipitation

Source description	Material type	N (lbs/acre)	P (lbs/acre)	K (lbs/acre)	Salt (lbs/acre)	Amount
IW Hog Ranch	Ground water	3.62	0.00	0.00	237.99	9,180,000.00 *gal*
Application event totals		3.62	0.00	0.00	237.99	

Application date	Application method	Precipitation 24 hours prior	Precipitation during application	Precipitation 24 hours following
08/15/2023	Surface (irrigation)	No precipitation	No precipitation	No precipitation

Source description	Material type	N (lbs/acre)	P (lbs/acre)	K (lbs/acre)	Salt (lbs/acre)	Amount
IW Hog Ranch	Ground water	3.54	0.00	0.00	233.33	9,000,000.00 *gal*
Application event totals		3.54	0.00	0.00	233.33	

Hog Ranch - 06/13/2023: Corn, silage

Application date	Application method	Precipitation 24 hours prior	Precipitation during application	Precipitation 24 hours following
08/29/2023	Surface (irrigation)	No precipitation	No precipitation	No precipitation

Source description	Material type	N (lbs/acre)	P (lbs/acre)	K (lbs/acre)	Salt (lbs/acre)	Amount
IW Hog Ranch	Ground water	3.51	0.00	0.00	230.99	8,910,000.00 *gal*
Application event totals		3.51	0.00	0.00	230.99	

Application date	Application method	Precipitation 24 hours prior	Precipitation during application	Precipitation 24 hours following
09/12/2023	Surface (irrigation)	No precipitation	No precipitation	No precipitation

Source description	Material type	N (lbs/acre)	P (lbs/acre)	K (lbs/acre)	Salt (lbs/acre)	Amount
IW Hog Ranch	Ground water	3.46	0.00	0.00	227.49	8,775,000.00 *gal*
Application event totals		3.46	0.00	0.00	227.49	

McVey 40 acres - 10/18/2022: Oats, silage-soft dough

Field name: McVey 40 acres

Crop: Oats, silage-soft dough Plant date: 10/18/2022

Application date	Application method	Precipitation 24 hours prior	Precipitation during application	Precipitation 24 hours following
10/01/2022	Broadcast/incorporate	No precipitation	No precipitation	No precipitation

Source description	Material type	N (lbs/acre)	P (lbs/acre)	K (lbs/acre)	Salt (lbs/acre)	Amount
Separator Solids	Separator solids	179.26	45.98	346.21	1,874.74	400.00 *ton*
Application event totals		179.26	45.98	346.21	1,874.74	

New House - 10/02/2022: Oats, silage-soft dough

Field name: New House

Crop: Oats, silage-soft dough Plant date: 10/02/2022

Application date	Application method	Precipitation 24 hours prior	Precipitation during application	Precipitation 24 hours following

New House - 10/02/2022: Oats, silage-soft dough

Application date	Application method	Precipitation 24 hours prior	Precipitation during application	Precipitation 24 hours following
02/11/2023	Surface (irrigation)	No precipitation	No precipitation	No precipitation

Source description	Material type	N (lbs/acre)	P (lbs/acre)	K (lbs/acre)	Salt (lbs/acre)	Amount
WWS	Process wastewater	166.90	11.84	140.42	1,410.86	480,000.00 *gal*
Application event totals		166.90	11.84	140.42	1,410.86	

New House - 06/23/2023: Corn, silage

Field name: New House

Crop: Corn, silage

Plant date: 06/23/2023

Application date	Application method	Precipitation 24 hours prior	Precipitation during application	Precipitation 24 hours following
06/02/2023	Surface (irrigation)	No precipitation	No precipitation	No precipitation

Source description	Material type	N (lbs/acre)	P (lbs/acre)	K (lbs/acre)	Salt (lbs/acre)	Amount
IW Hog Ranch	Ground water	3.91	0.00	0.00	257.63	2,385,000.00 *gal*
Application event totals		3.91	0.00	0.00	257.63	

06/23/2023	Sidedress	No precipitation	No precipitation	No precipitation

Source description	Material type	N (lbs/acre)	P (lbs/acre)	K (lbs/acre)	Salt (lbs/acre)	Amount
WWS	Solid commercial fertilizer	8.00	0.00	0.00	0.00	
Application event totals		8.00	0.00	0.00	0.00	

07/14/2023	Surface (irrigation)	No precipitation	No precipitation	No precipitation

Source description	Material type	N (lbs/acre)	P (lbs/acre)	K (lbs/acre)	Salt (lbs/acre)	Amount
IW Hog Ranch	Ground water	3.54	0.00	0.00	233.33	2,160,000.00 *gal*
Application event totals		3.54	0.00	0.00	233.33	

07/28/2023	Surface (irrigation)	No precipitation	No precipitation	No precipitation

Source description	Material type	N (lbs/acre)	P (lbs/acre)	K (lbs/acre)	Salt (lbs/acre)	Amount
WWS	Process wastewater	244.17	28.43	412.77	2,124.64	1,140,000.00 *gal*
IW Hog Ranch	Ground water	2.22	0.00	0.00	145.83	1,350,000.00 *gal*
Application event totals		246.39	28.43	412.77	2,270.47	

New House - 06/23/2023: Corn, silage

Application date	Application method	Precipitation 24 hours prior	Precipitation during application	Precipitation 24 hours following
08/11/2023	Surface (irrigation)	No precipitation	No precipitation	No precipitation

Source description	Material type	N (lbs/acre)	P (lbs/acre)	K (lbs/acre)	Salt (lbs/acre)	Amount
IW Hog Ranch	Ground water	3.69	0.00	0.00	243.05	2,250,000.00 *gal*
Application event totals		3.69	0.00	0.00	243.05	

Application date	Application method	Precipitation 24 hours prior	Precipitation during application	Precipitation 24 hours following
08/25/2023	Surface (irrigation)	No precipitation	No precipitation	No precipitation

Source description	Material type	N (lbs/acre)	P (lbs/acre)	K (lbs/acre)	Salt (lbs/acre)	Amount
IW Hog Ranch	Ground water	3.62	0.00	0.00	238.19	2,205,000.00 *gal*
Application event totals		3.62	0.00	0.00	238.19	

Application date	Application method	Precipitation 24 hours prior	Precipitation during application	Precipitation 24 hours following
09/08/2023	Surface (irrigation)	No precipitation	No precipitation	No precipitation

Source description	Material type	N (lbs/acre)	P (lbs/acre)	K (lbs/acre)	Salt (lbs/acre)	Amount
IW Hog Ranch	Ground water	3.54	0.00	0.00	233.33	2,160,000.00 *gal*
Application event totals		3.54	0.00	0.00	233.33	

Application date	Application method	Precipitation 24 hours prior	Precipitation during application	Precipitation 24 hours following
09/22/2023	Surface (irrigation)	No precipitation	No precipitation	No precipitation

Source description	Material type	N (lbs/acre)	P (lbs/acre)	K (lbs/acre)	Salt (lbs/acre)	Amount
IW Hog Ranch	Ground water	3.32	0.00	0.00	218.74	2,025,000.00 *gal*
Application event totals		3.32	0.00	0.00	218.74	

School - 10/21/2022: Oats, silage-soft dough

Field name: School

Crop: Oats, silage-soft dough

Plant date: 10/21/2022

Application date	Application method	Precipitation 24 hours prior	Precipitation during application	Precipitation 24 hours following
10/01/2022	Broadcast/incorporate	No precipitation	No precipitation	No precipitation

Source description	Material type	N (lbs/acre)	P (lbs/acre)	K (lbs/acre)	Salt (lbs/acre)	Amount
Separator Solids	Separator solids	170.30	43.68	328.90	1,781.00	160.00 *ton*
Application event totals		170.30	43.68	328.90	1,781.00	

School - 06/23/2023: Corn, silage

Field name: School

Crop: Corn, silage

Plant date: 06/23/2023

Application date	Application method	Precipitation 24 hours prior	Precipitation during application	Precipitation 24 hours following
05/25/2023	Broadcast/incorporate	No precipitation	No precipitation	No precipitation

Source description	Material type	N (lbs/acre)	P (lbs/acre)	K (lbs/acre)	Salt (lbs/acre)	Amount
Separator Solids	Separator solids	221.38	41.25	214.50	1,238.88	400.00 *ton*
Application event totals		221.38	41.25	214.50	1,238.88	

Application date	Application method	Precipitation 24 hours prior	Precipitation during application	Precipitation 24 hours following
06/02/2023	Surface (irrigation)	No precipitation	No precipitation	No precipitation

Source description	Material type	N (lbs/acre)	P (lbs/acre)	K (lbs/acre)	Salt (lbs/acre)	Amount
IW School	Ground water	5.26	0.00	0.00	285.02	2,160,000.00 *gal*
Application event totals		5.26	0.00	0.00	285.02	

Application date	Application method	Precipitation 24 hours prior	Precipitation during application	Precipitation 24 hours following
06/23/2023	Surface (irrigation)	No precipitation	No precipitation	No precipitation

Source description	Material type	N (lbs/acre)	P (lbs/acre)	K (lbs/acre)	Salt (lbs/acre)	Amount
4-0-0	Solid commercial fertilizer	8.00	0.00	0.00	0.00	
Application event totals		8.00	0.00	0.00	0.00	

Application date	Application method	Precipitation 24 hours prior	Precipitation during application	Precipitation 24 hours following
07/14/2023	Surface (irrigation)	No precipitation	No precipitation	No precipitation

Source description	Material type	N (lbs/acre)	P (lbs/acre)	K (lbs/acre)	Salt (lbs/acre)	Amount
IW School	Ground water	4.97	0.00	0.00	269.19	2,040,000.00 *gal*
Application event totals		4.97	0.00	0.00	269.19	

Application date	Application method	Precipitation 24 hours prior	Precipitation during application	Precipitation 24 hours following
07/28/2023	Surface (irrigation)	No precipitation	No precipitation	No precipitation

Source description	Material type	N (lbs/acre)	P (lbs/acre)	K (lbs/acre)	Salt (lbs/acre)	Amount
IW School	Ground water	4.82	0.00	0.00	261.27	1,980,000.00 *gal*
Application event totals		4.82	0.00	0.00	261.27	

Application date	Application method	Precipitation 24 hours prior	Precipitation during application	Precipitation 24 hours following
08/11/2023	Surface (irrigation)	No precipitation	No precipitation	No precipitation

Source description	Material type	N (lbs/acre)	P (lbs/acre)	K (lbs/acre)	Salt (lbs/acre)	Amount
IW School	Ground water	4.82	0.00	0.00	261.27	1,980,000.00 *gal*
Application event totals		4.82	0.00	0.00	261.27	

School - 06/23/2023: Corn, silage

Application date	Application method	Precipitation 24 hours prior	Precipitation during application	Precipitation 24 hours following
08/25/2023	Surface (irrigation)	No precipitation	No precipitation	No precipitation

Source description	Material type	N (lbs/acre)	P (lbs/acre)	K (lbs/acre)	Salt (lbs/acre)	Amount
IW School	Ground water	4.75	0.00	0.00	257.31	1,950,000.00 *gal*
Application event totals		4.75	0.00	0.00	257.31	

Application date	Application method	Precipitation 24 hours prior	Precipitation during application	Precipitation 24 hours following
09/08/2023	Surface (irrigation)	No precipitation	No precipitation	No precipitation

Source description	Material type	N (lbs/acre)	P (lbs/acre)	K (lbs/acre)	Salt (lbs/acre)	Amount
IW School	Ground water	4.46	0.00	0.00	241.48	1,830,000.00 *gal*
Application event totals		4.46	0.00	0.00	241.48	

Application date	Application method	Precipitation 24 hours prior	Precipitation during application	Precipitation 24 hours following
09/22/2023	Surface (irrigation)	No precipitation	No precipitation	No precipitation

Source description	Material type	N (lbs/acre)	P (lbs/acre)	K (lbs/acre)	Salt (lbs/acre)	Amount
IW School	Ground water	4.38	0.00	0.00	237.52	1,800,000.00 *gal*
Application event totals		4.38	0.00	0.00	237.52	

Solwes Lower - 10/20/2022: Oats, silage-soft dough

Field name: Solwes Lower

Crop: Oats, silage-soft dough

Plant date: 10/20/2022

Application date	Application method	Precipitation 24 hours prior	Precipitation during application	Precipitation 24 hours following
10/12/2023	Broadcast/incorporate	No precipitation	No precipitation	No precipitation

Source description	Material type	N (lbs/acre)	P (lbs/acre)	K (lbs/acre)	Salt (lbs/acre)	Amount
Separator Solids	Separator solids	144.94	37.17	279.91	1,515.74	400.00 *ton*
Application event totals		144.94	37.17	279.91	1,515.74	

Solwes Lower - 06/03/2023: Corn, silage

Field name: Solwes Lower

Crop: Corn, silage

Plant date: 06/03/2023

Solwes Lower - 06/03/2023: Corn, silage

Application date	Application method	Precipitation 24 hours prior	Precipitation during application	Precipitation 24 hours following
05/06/2023	Broadcast/incorporate	No precipitation	No precipitation	No precipitation

Source description	Material type	N (lbs/acre)	P (lbs/acre)	K (lbs/acre)	Salt (lbs/acre)	Amount
Corral Solids	Corral solids	203.86	67.06	700.10	21,432.24	1,020.00 *ton*
Application event totals		203.86	67.06	700.10	21,432.24	

Application date	Application method	Precipitation 24 hours prior	Precipitation during application	Precipitation 24 hours following
05/13/2023	Surface (irrigation)	No precipitation	No precipitation	No precipitation

Source description	Material type	N (lbs/acre)	P (lbs/acre)	K (lbs/acre)	Salt (lbs/acre)	Amount
IW Sowles 30	Ground water	2.02	0.00	0.00	211.32	6,264,000.00 *gal*
Application event totals		2.02	0.00	0.00	211.32	

Application date	Application method	Precipitation 24 hours prior	Precipitation during application	Precipitation 24 hours following
06/03/2023	Sidedress	No precipitation	No precipitation	No precipitation

Source description	Material type	N (lbs/acre)	P (lbs/acre)	K (lbs/acre)	Salt (lbs/acre)	Amount
4-0-0	Solid commercial fertilizer	8.00	0.00	0.00	0.00	
Application event totals		8.00	0.00	0.00	0.00	

Application date	Application method	Precipitation 24 hours prior	Precipitation during application	Precipitation 24 hours following
06/17/2023	Surface (irrigation)	No precipitation	No precipitation	No precipitation

Source description	Material type	N (lbs/acre)	P (lbs/acre)	K (lbs/acre)	Salt (lbs/acre)	Amount
IW Sowles 30	Ground water	1.95	0.00	0.00	204.03	6,048,000.00 *gal*
Application event totals		1.95	0.00	0.00	204.03	

Application date	Application method	Precipitation 24 hours prior	Precipitation during application	Precipitation 24 hours following
07/01/2023	Surface (irrigation)	No precipitation	No precipitation	No precipitation

Source description	Material type	N (lbs/acre)	P (lbs/acre)	K (lbs/acre)	Salt (lbs/acre)	Amount
IW Sowles 30	Ground water	1.88	0.00	0.00	196.74	5,832,000.00 *gal*
Application event totals		1.88	0.00	0.00	196.74	

Application date	Application method	Precipitation 24 hours prior	Precipitation during application	Precipitation 24 hours following
07/15/2023	Surface (irrigation)	No precipitation	No precipitation	No precipitation

Source description	Material type	N (lbs/acre)	P (lbs/acre)	K (lbs/acre)	Salt (lbs/acre)	Amount
IW Sowles 30	Ground water	1.88	0.00	0.00	196.74	5,832,000.00 *gal*
Application event totals		1.88	0.00	0.00	196.74	

Solwes Lower - 06/03/2023: Corn, silage

Application date	Application method	Precipitation 24 hours prior	Precipitation during application	Precipitation 24 hours following
07/29/2023	Surface (irrigation)	No precipitation	No precipitation	No precipitation

Source description	Material type	N (lbs/acre)	P (lbs/acre)	K (lbs/acre)	Salt (lbs/acre)	Amount
IW Sowles 30	Ground water	1.84	0.00	0.00	191.89	5,688,000.00 *gal*
Application event totals		1.84	0.00	0.00	191.89	

Application date	Application method	Precipitation 24 hours prior	Precipitation during application	Precipitation 24 hours following
08/12/2023	Surface (irrigation)	No precipitation	No precipitation	No precipitation

Source description	Material type	N (lbs/acre)	P (lbs/acre)	K (lbs/acre)	Salt (lbs/acre)	Amount
IW Sowles 30	Ground water	1.80	0.00	0.00	188.24	5,580,000.00 *gal*
Application event totals		1.80	0.00	0.00	188.24	

Application date	Application method	Precipitation 24 hours prior	Precipitation during application	Precipitation 24 hours following
08/26/2023	Surface (irrigation)	No precipitation	No precipitation	No precipitation

Source description	Material type	N (lbs/acre)	P (lbs/acre)	K (lbs/acre)	Salt (lbs/acre)	Amount
IW Sowles 30	Ground water	1.72	0.00	0.00	179.74	5,328,000.00 *gal*
Application event totals		1.72	0.00	0.00	179.74	

Sowles Upper - 10/20/2022: Oats, silage-soft dough

Field name: Sowles Upper

Crop: Oats, silage-soft dough

Plant date: 10/20/2022

Application date	Application method	Precipitation 24 hours prior	Precipitation during application	Precipitation 24 hours following
10/12/2023	Broadcast/incorporate	No precipitation	No precipitation	No precipitation

Source description	Material type	N (lbs/acre)	P (lbs/acre)	K (lbs/acre)	Salt (lbs/acre)	Amount
Separator Solids	Separator solids	156.11	40.04	301.49	1,632.58	550.00 *ton*
Application event totals		156.11	40.04	301.49	1,632.58	

Sowles Upper - 06/03/2023: Corn, silage

Field name: Sowles Upper

Crop: Corn, silage

Plant date: 06/03/2023

Sowles Upper - 06/03/2023: Corn, silage

Application date	Application method	Precipitation 24 hours prior	Precipitation during application	Precipitation 24 hours following
05/06/2023	Broadcast/incorporate	No precipitation	No precipitation	No precipitation

Source description	Material type	N (lbs/acre)	P (lbs/acre)	K (lbs/acre)	Salt (lbs/acre)	Amount
Corral Solids	Corral solids	211.36	69.53	725.84	22,220.19	1,350.00 *ton*
Application event totals		211.36	69.53	725.84	22,220.19	

Application date	Application method	Precipitation 24 hours prior	Precipitation during application	Precipitation 24 hours following
05/13/2023	Surface (irrigation)	No precipitation	No precipitation	No precipitation

Source description	Material type	N (lbs/acre)	P (lbs/acre)	K (lbs/acre)	Salt (lbs/acre)	Amount
IW Sowles 50	Ground water	1.84	0.00	0.00	205.60	7,905,000.00 *gal*
Application event totals		1.84	0.00	0.00	205.60	

Application date	Application method	Precipitation 24 hours prior	Precipitation during application	Precipitation 24 hours following
06/03/2023	Sidedress	No precipitation	No precipitation	No precipitation

Source description	Material type	N (lbs/acre)	P (lbs/acre)	K (lbs/acre)	Salt (lbs/acre)	Amount
4-0-0	Solid commercial fertilizer	8.00	0.00	0.00	0.00	
Application event totals		8.00	0.00	0.00	0.00	

Application date	Application method	Precipitation 24 hours prior	Precipitation during application	Precipitation 24 hours following
06/17/2023	Surface (irrigation)	No precipitation	No precipitation	No precipitation

Source description	Material type	N (lbs/acre)	P (lbs/acre)	K (lbs/acre)	Salt (lbs/acre)	Amount
IW Sowles 50	Ground water	1.79	0.00	0.00	200.29	7,701,000.00 *gal*
Application event totals		1.79	0.00	0.00	200.29	

Application date	Application method	Precipitation 24 hours prior	Precipitation during application	Precipitation 24 hours following
07/01/2023	Surface (irrigation)	No precipitation	No precipitation	No precipitation

Source description	Material type	N (lbs/acre)	P (lbs/acre)	K (lbs/acre)	Salt (lbs/acre)	Amount
IW Sowles 50	Ground water	1.78	0.00	0.00	198.97	7,650,000.00 *gal*
Application event totals		1.78	0.00	0.00	198.97	

Application date	Application method	Precipitation 24 hours prior	Precipitation during application	Precipitation 24 hours following
07/15/2023	Surface (irrigation)	No precipitation	No precipitation	No precipitation

Source description	Material type	N (lbs/acre)	P (lbs/acre)	K (lbs/acre)	Salt (lbs/acre)	Amount
IW Sowles 50	Ground water	1.75	0.00	0.00	196.31	7,548,000.00 *gal*
Application event totals		1.75	0.00	0.00	196.31	

Sowles Upper - 06/03/2023: Corn, silage

Application date	Application method	Precipitation 24 hours prior	Precipitation during application	Precipitation 24 hours following
07/29/2023	Surface (irrigation)	No precipitation	No precipitation	No precipitation

Source description	Material type	N (lbs/acre)	P (lbs/acre)	K (lbs/acre)	Salt (lbs/acre)	Amount
IW Sowles 50	Ground water	1.71	0.00	0.00	191.01	7,344,000.00 *gal*
Application event totals		1.71	0.00	0.00	191.01	

Application date	Application method	Precipitation 24 hours prior	Precipitation during application	Precipitation 24 hours following
08/12/2023	Surface (irrigation)	No precipitation	No precipitation	No precipitation

Source description	Material type	N (lbs/acre)	P (lbs/acre)	K (lbs/acre)	Salt (lbs/acre)	Amount
IW Sowles 50	Ground water	1.66	0.00	0.00	185.70	7,140,000.00 *gal*
Application event totals		1.66	0.00	0.00	185.70	

Application date	Application method	Precipitation 24 hours prior	Precipitation during application	Precipitation 24 hours following
08/26/2023	Surface (irrigation)	No precipitation	No precipitation	No precipitation

Source description	Material type	N (lbs/acre)	P (lbs/acre)	K (lbs/acre)	Salt (lbs/acre)	Amount
IW Sowles 50	Ground water	1.61	0.00	0.00	180.40	6,936,000.00 *gal*
Application event totals		1.61	0.00	0.00	180.40	

Swingle - 10/17/2022: Oats, silage-soft dough

Field name: Swingle

Crop: Oats, silage-soft dough

Plant date: 10/17/2022

Application date	Application method	Precipitation 24 hours prior	Precipitation during application	Precipitation 24 hours following
10/07/2022	Surface (irrigation)	No precipitation	No precipitation	No precipitation

Source description	Material type	N (lbs/acre)	P (lbs/acre)	K (lbs/acre)	Salt (lbs/acre)	Amount
WWS	Process wastewater sludge	121.17	48.32	365.51	976.37	570,000.00 *gal*
Application event totals		121.17	48.32	365.51	976.37	

Swingle - 06/24/2023: Corn, silage

Field name: Swingle

Crop: Corn, silage

Plant date: 06/24/2023

Swingle - 06/24/2023: Corn, silage

Application date	Application method	Precipitation 24 hours prior	Precipitation during application	Precipitation 24 hours following
05/25/2023	Broadcast/incorporate	No precipitation	No precipitation	No precipitation

Source description	Material type	N (lbs/acre)	P (lbs/acre)	K (lbs/acre)	Salt (lbs/acre)	Amount
Separator Solids	Separator solids	214.38	39.95	207.73	1,199.75	460.00 *ton*
Application event totals		214.38	39.95	207.73	1,199.75	

Application date	Application method	Precipitation 24 hours prior	Precipitation during application	Precipitation 24 hours following
06/03/2023	Surface (irrigation)	No precipitation	No precipitation	No precipitation

Source description	Material type	N (lbs/acre)	P (lbs/acre)	K (lbs/acre)	Salt (lbs/acre)	Amount
IW Cherokee 50	Ground water	1.57	0.00	0.00	219.72	2,592,000.00 *gal*
Application event totals		1.57	0.00	0.00	219.72	

Application date	Application method	Precipitation 24 hours prior	Precipitation during application	Precipitation 24 hours following
06/24/2023	Sidedress	No precipitation	No precipitation	No precipitation

Source description	Material type	N (lbs/acre)	P (lbs/acre)	K (lbs/acre)	Salt (lbs/acre)	Amount
4-0-0	Solid commercial fertilizer	8.00	0.00	0.00	0.00	
Application event totals		8.00	0.00	0.00	0.00	

Application date	Application method	Precipitation 24 hours prior	Precipitation during application	Precipitation 24 hours following
07/15/2023	Surface (irrigation)	No precipitation	No precipitation	No precipitation

Source description	Material type	N (lbs/acre)	P (lbs/acre)	K (lbs/acre)	Salt (lbs/acre)	Amount
IW Cherokee 50	Ground water	1.48	0.00	0.00	207.51	2,448,000.00 *gal*
Application event totals		1.48	0.00	0.00	207.51	

Application date	Application method	Precipitation 24 hours prior	Precipitation during application	Precipitation 24 hours following
07/29/2023	Surface (irrigation)	No precipitation	No precipitation	No precipitation

Source description	Material type	N (lbs/acre)	P (lbs/acre)	K (lbs/acre)	Salt (lbs/acre)	Amount
IW Cherokee 50	Ground water	1.48	0.00	0.00	207.51	2,448,000.00 *gal*
Application event totals		1.48	0.00	0.00	207.51	

Application date	Application method	Precipitation 24 hours prior	Precipitation during application	Precipitation 24 hours following
08/12/2023	Surface (irrigation)	No precipitation	No precipitation	No precipitation

Source description	Material type	N (lbs/acre)	P (lbs/acre)	K (lbs/acre)	Salt (lbs/acre)	Amount
IW Cherokee 50	Ground water	1.43	0.00	0.00	199.37	2,352,000.00 *gal*
Application event totals		1.43	0.00	0.00	199.37	

Swingle - 06/24/2023: Corn, silage

Application date	Application method	Precipitation 24 hours prior	Precipitation during application	Precipitation 24 hours following
08/26/2023	Surface (irrigation)	No precipitation	No precipitation	No precipitation

Source description	Material type	N (lbs/acre)	P (lbs/acre)	K (lbs/acre)	Salt (lbs/acre)	Amount
IW Cherokee 50	Ground water	1.40	0.00	0.00	195.30	2,304,000.00 *gal*
Application event totals		1.40	0.00	0.00	195.30	

Application date	Application method	Precipitation 24 hours prior	Precipitation during application	Precipitation 24 hours following
09/09/2023	Surface (irrigation)	No precipitation	No precipitation	No precipitation

Source description	Material type	N (lbs/acre)	P (lbs/acre)	K (lbs/acre)	Salt (lbs/acre)	Amount
IW Cherokee 50	Ground water	1.37	0.00	0.00	191.24	2,256,000.00 *gal*
Application event totals		1.37	0.00	0.00	191.24	

Application date	Application method	Precipitation 24 hours prior	Precipitation during application	Precipitation 24 hours following
09/23/2023	Surface (irrigation)	No precipitation	No precipitation	No precipitation

Source description	Material type	N (lbs/acre)	P (lbs/acre)	K (lbs/acre)	Salt (lbs/acre)	Amount
IW Cherokee 50	Ground water	1.31	0.00	0.00	183.10	2,160,000.00 *gal*
Application event totals		1.31	0.00	0.00	183.10	

Virtue Place - 10/17/2022: Oats, silage-soft dough

Field name: Virtue Place

Crop: Oats, silage-soft dough

Plant date: 10/17/2022

Application date	Application method	Precipitation 24 hours prior	Precipitation during application	Precipitation 24 hours following
10/10/2022	Broadcast/incorporate	No precipitation	No precipitation	No precipitation

Source description	Material type	N (lbs/acre)	P (lbs/acre)	K (lbs/acre)	Salt (lbs/acre)	Amount
Separator Solids	Separator solids	150.26	38.54	290.21	1,571.47	1,500.00 *ton*
Application event totals		150.26	38.54	290.21	1,571.47	

Virtue Place - 06/14/2023: Corn, silage

Field name: Virtue Place

Crop: Corn, silage

Plant date: 06/14/2023

Virtue Place - 06/14/2023: Corn, silage

Application date	Application method	Precipitation 24 hours prior	Precipitation during application	Precipitation 24 hours following
05/04/2023	Broadcast/incorporate	No precipitation	No precipitation	No precipitation

Source description	Material type	N (lbs/acre)	P (lbs/acre)	K (lbs/acre)	Salt (lbs/acre)	Amount
Corral Solids	Corral solids	226.55	74.52	778.03	23,817.72	4,100.00 *ton*
Application event totals		226.55	74.52	778.03	23,817.72	

Application date	Application method	Precipitation 24 hours prior	Precipitation during application	Precipitation 24 hours following
05/25/2023	Surface (irrigation)	No precipitation	No precipitation	No precipitation

Source description	Material type	N (lbs/acre)	P (lbs/acre)	K (lbs/acre)	Salt (lbs/acre)	Amount
IW Virtue 75	Ground water	1.74	0.00	0.00	197.92	22,032,000.00 *gal*
Application event totals		1.74	0.00	0.00	197.92	

Application date	Application method	Precipitation 24 hours prior	Precipitation during application	Precipitation 24 hours following
06/14/2023	Surface (irrigation)	No precipitation	No precipitation	No precipitation

Source description	Material type	N (lbs/acre)	P (lbs/acre)	K (lbs/acre)	Salt (lbs/acre)	Amount
4-0-0	Solid commercial fertilizer	8.00	0.00	0.00	0.00	
Application event totals		8.00	0.00	0.00	0.00	

Application date	Application method	Precipitation 24 hours prior	Precipitation during application	Precipitation 24 hours following
07/05/2023	Surface (irrigation)	No precipitation	No precipitation	No precipitation

Source description	Material type	N (lbs/acre)	P (lbs/acre)	K (lbs/acre)	Salt (lbs/acre)	Amount
IW Virtue 75	Ground water	1.71	0.00	0.00	194.04	21,600,000.00 *gal*
Application event totals		1.71	0.00	0.00	194.04	

Application date	Application method	Precipitation 24 hours prior	Precipitation during application	Precipitation 24 hours following
07/19/2023	Surface (irrigation)	No precipitation	No precipitation	No precipitation

Source description	Material type	N (lbs/acre)	P (lbs/acre)	K (lbs/acre)	Salt (lbs/acre)	Amount
IW Virtue 75	Ground water	1.70	0.00	0.00	192.74	21,456,000.00 *gal*
Application event totals		1.70	0.00	0.00	192.74	

Application date	Application method	Precipitation 24 hours prior	Precipitation during application	Precipitation 24 hours following
08/02/2023	Surface (irrigation)	No precipitation	No precipitation	No precipitation

Source description	Material type	N (lbs/acre)	P (lbs/acre)	K (lbs/acre)	Salt (lbs/acre)	Amount
IW Virtue 75	Ground water	1.68	0.00	0.00	190.80	21,240,000.00 *gal*
Application event totals		1.68	0.00	0.00	190.80	

Virtue Place - 06/14/2023: Corn, silage

Application date	Application method	Precipitation 24 hours prior	Precipitation during application	Precipitation 24 hours following
08/16/2023	Surface (irrigation)	No precipitation	No precipitation	No precipitation

Source description	Material type	N (lbs/acre)	P (lbs/acre)	K (lbs/acre)	Salt (lbs/acre)	Amount
IW Virtue 75	Ground water	1.65	0.00	0.00	187.57	20,880,000.00 *gal*
Application event totals		1.65	0.00	0.00	187.57	

Application date	Application method	Precipitation 24 hours prior	Precipitation during application	Precipitation 24 hours following
08/30/2023	Surface (irrigation)	No precipitation	No precipitation	No precipitation

Source description	Material type	N (lbs/acre)	P (lbs/acre)	K (lbs/acre)	Salt (lbs/acre)	Amount
IW Virtue 75	Ground water	1.62	0.00	0.00	184.33	20,520,000.00 *gal*
Application event totals		1.62	0.00	0.00	184.33	

Application date	Application method	Precipitation 24 hours prior	Precipitation during application	Precipitation 24 hours following
09/13/2023	Surface (irrigation)	No precipitation	No precipitation	No precipitation

Source description	Material type	N (lbs/acre)	P (lbs/acre)	K (lbs/acre)	Salt (lbs/acre)	Amount
IW Virtue 75	Ground water	1.60	0.00	0.00	182.39	20,304,000.00 *gal*
Application event totals		1.60	0.00	0.00	182.39	

West - 10/22/2022: Oats, silage-soft dough

Field name: West

Crop: Oats, silage-soft dough

Plant date: 10/22/2022

Application date	Application method	Precipitation 24 hours prior	Precipitation during application	Precipitation 24 hours following
02/12/2023	Surface (irrigation)	No precipitation	No precipitation	No precipitation

Source description	Material type	N (lbs/acre)	P (lbs/acre)	K (lbs/acre)	Salt (lbs/acre)	Amount
WWS	Process wastewater	250.35	17.76	210.63	2,116.29	1,800,000.00 *gal*
Application event totals		250.35	17.76	210.63	2,116.29	

West - 06/24/2023: Corn, silage

Field name: West

Crop: Corn, silage

Plant date: 06/24/2023

West - 06/24/2023: Corn, silage

Application date	Application method	Precipitation 24 hours prior	Precipitation during application	Precipitation 24 hours following
06/06/2023	Surface (irrigation)	No precipitation	No precipitation	No precipitation

Source description	Material type	N (lbs/acre)	P (lbs/acre)	K (lbs/acre)	Salt (lbs/acre)	Amount
IW West	Ground water	2.24	0.00	0.00	215.69	5,904,000.00 *gal*
Application event totals		2.24	0.00	0.00	215.69	

Application date	Application method	Precipitation 24 hours prior	Precipitation during application	Precipitation 24 hours following
06/24/2023	Sidedress	No precipitation	No precipitation	No precipitation

Source description	Material type	N (lbs/acre)	P (lbs/acre)	K (lbs/acre)	Salt (lbs/acre)	Amount
4-0-0	Solid commercial fertilizer	8.00	0.00	0.00	0.00	
Application event totals		8.00	0.00	0.00	0.00	

Application date	Application method	Precipitation 24 hours prior	Precipitation during application	Precipitation 24 hours following
07/18/2023	Surface (irrigation)	No precipitation	No precipitation	No precipitation

Source description	Material type	N (lbs/acre)	P (lbs/acre)	K (lbs/acre)	Salt (lbs/acre)	Amount
IW West	Ground water	2.19	0.00	0.00	210.43	5,760,000.00 *gal*
Application event totals		2.19	0.00	0.00	210.43	

Application date	Application method	Precipitation 24 hours prior	Precipitation during application	Precipitation 24 hours following
08/01/2023	Surface (irrigation)	No precipitation	No precipitation	No precipitation

Source description	Material type	N (lbs/acre)	P (lbs/acre)	K (lbs/acre)	Salt (lbs/acre)	Amount
WWS	Process wastewater	231.32	26.94	391.05	2,012.81	2,700,000.00 *gal*
IW West	Ground water	1.23	0.00	0.00	118.37	3,240,000.00 *gal*
Application event totals		232.56	26.94	391.05	2,131.18	

Application date	Application method	Precipitation 24 hours prior	Precipitation during application	Precipitation 24 hours following
08/15/2023	Surface (irrigation)	No precipitation	No precipitation	No precipitation

Source description	Material type	N (lbs/acre)	P (lbs/acre)	K (lbs/acre)	Salt (lbs/acre)	Amount
IW West	Ground water	2.16	0.00	0.00	207.80	5,688,000.00 *gal*
Application event totals		2.16	0.00	0.00	207.80	

Application date	Application method	Precipitation 24 hours prior	Precipitation during application	Precipitation 24 hours following
08/29/2023	Surface (irrigation)	No precipitation	No precipitation	No precipitation

Source description	Material type	N (lbs/acre)	P (lbs/acre)	K (lbs/acre)	Salt (lbs/acre)	Amount
IW West	Ground water	2.13	0.00	0.00	205.17	5,616,000.00 *gal*
Application event totals		2.13	0.00	0.00	205.17	

West - 06/24/2023: Corn, silage

Application date	Application method	Precipitation 24 hours prior	Precipitation during application	Precipitation 24 hours following
09/12/2023	Surface (irrigation)	No precipitation	No precipitation	No precipitation

Source description	Material type	N (lbs/acre)	P (lbs/acre)	K (lbs/acre)	Salt (lbs/acre)	Amount
IW West	Ground water	2.11	0.00	0.00	202.54	5,544,000.00 *gal*
Application event totals		2.11	0.00	0.00	202.54	

Application date	Application method	Precipitation 24 hours prior	Precipitation during application	Precipitation 24 hours following
09/26/2023	Surface (irrigation)	No precipitation	No precipitation	No precipitation

Source description	Material type	N (lbs/acre)	P (lbs/acre)	K (lbs/acre)	Salt (lbs/acre)	Amount
IW West	Ground water	2.08	0.00	0.00	199.91	5,472,000.00 *gal*
Application event totals		2.08	0.00	0.00	199.91	

Woods - 04/20/2021: Alfalfa, hay

Field name: Woods

Crop: Alfalfa, hay

Plant date: 04/20/2021

Application date	Application method	Precipitation 24 hours prior	Precipitation during application	Precipitation 24 hours following
04/15/2023	Surface (irrigation)	No precipitation	No precipitation	No precipitation

Source description	Material type	N (lbs/acre)	P (lbs/acre)	K (lbs/acre)	Salt (lbs/acre)	Amount
WWS	Process wastewater	209.59	20.88	224.95	1,566.19	3,450,000.00 *gal*
IW Woods	Ground water	0.89	0.00	0.00	112.40	5,520,000.00 *gal*
Application event totals		210.48	20.88	224.95	1,678.59	

Application date	Application method	Precipitation 24 hours prior	Precipitation during application	Precipitation 24 hours following
05/12/2023	Surface (irrigation)	No precipitation	No precipitation	No precipitation

Source description	Material type	N (lbs/acre)	P (lbs/acre)	K (lbs/acre)	Salt (lbs/acre)	Amount
IW Woods	Ground water	1.47	0.00	0.00	185.70	9,120,000.00 *gal*
Application event totals		1.47	0.00	0.00	185.70	

Application date	Application method	Precipitation 24 hours prior	Precipitation during application	Precipitation 24 hours following
06/08/2023	Surface (irrigation)	No precipitation	No precipitation	No precipitation

Source description	Material type	N (lbs/acre)	P (lbs/acre)	K (lbs/acre)	Salt (lbs/acre)	Amount
IW Woods	Ground water	1.46	0.00	0.00	183.74	9,024,000.00 *gal*
Application event totals		1.46	0.00	0.00	183.74	

Woods - 04/20/2021: Alfalfa, hay

Application date	Application method	Precipitation 24 hours prior	Precipitation during application	Precipitation 24 hours following
07/05/2023	Surface (irrigation)	No precipitation	No precipitation	No precipitation

Source description	Material type	N (lbs/acre)	P (lbs/acre)	K (lbs/acre)	Salt (lbs/acre)	Amount
IW Woods	Ground water	1.42	0.00	0.00	179.84	8,832,000.00 *gal*
Application event totals		1.42	0.00	0.00	179.84	

Application date	Application method	Precipitation 24 hours prior	Precipitation during application	Precipitation 24 hours following
07/19/2023	Surface (irrigation)	No precipitation	No precipitation	No precipitation

Source description	Material type	N (lbs/acre)	P (lbs/acre)	K (lbs/acre)	Salt (lbs/acre)	Amount
IW Woods	Ground water	1.46	0.00	0.00	183.74	9,024,000.00 *gal*
Application event totals		1.46	0.00	0.00	183.74	

Application date	Application method	Precipitation 24 hours prior	Precipitation during application	Precipitation 24 hours following
08/02/2023	Surface (irrigation)	No precipitation	No precipitation	No precipitation

Source description	Material type	N (lbs/acre)	P (lbs/acre)	K (lbs/acre)	Salt (lbs/acre)	Amount
IW Woods	Ground water	1.48	0.00	0.00	186.68	9,168,000.00 *gal*
Application event totals		1.48	0.00	0.00	186.68	

Application date	Application method	Precipitation 24 hours prior	Precipitation during application	Precipitation 24 hours following
08/29/2023	Surface (irrigation)	No precipitation	No precipitation	No precipitation

Source description	Material type	N (lbs/acre)	P (lbs/acre)	K (lbs/acre)	Salt (lbs/acre)	Amount
IW Woods	Ground water	1.46	0.00	0.00	184.72	9,072,000.00 *gal*
Application event totals		1.46	0.00	0.00	184.72	

Application date	Application method	Precipitation 24 hours prior	Precipitation during application	Precipitation 24 hours following
09/25/2023	Surface (irrigation)	No precipitation	No precipitation	No precipitation

Source description	Material type	N (lbs/acre)	P (lbs/acre)	K (lbs/acre)	Salt (lbs/acre)	Amount
WWS	Process wastewater	174.26	20.29	294.59	1,516.32	3,390,000.00 *gal*
IW Woods	Ground water	0.88	0.00	0.00	110.44	5,424,000.00 *gal*
Application event totals		175.14	20.29	294.59	1,626.76	

Application date	Application method	Precipitation 24 hours prior	Precipitation during application	Precipitation 24 hours following
10/21/2023	Surface (irrigation)	No precipitation	No precipitation	No precipitation

Source description	Material type	N (lbs/acre)	P (lbs/acre)	K (lbs/acre)	Salt (lbs/acre)	Amount
IW Woods	Ground water	1.39	0.00	0.00	175.93	8,640,000.00 *gal*
Application event totals		1.39	0.00	0.00	175.93	

B. NUTRIENT BUDGET

cherrokee 40 acre - 10/23/2022: Oats, silage-soft dough

Field name: cherrokee 40 acre | Crop: Oats, silage-soft dough | Plant date: 10/23/2022

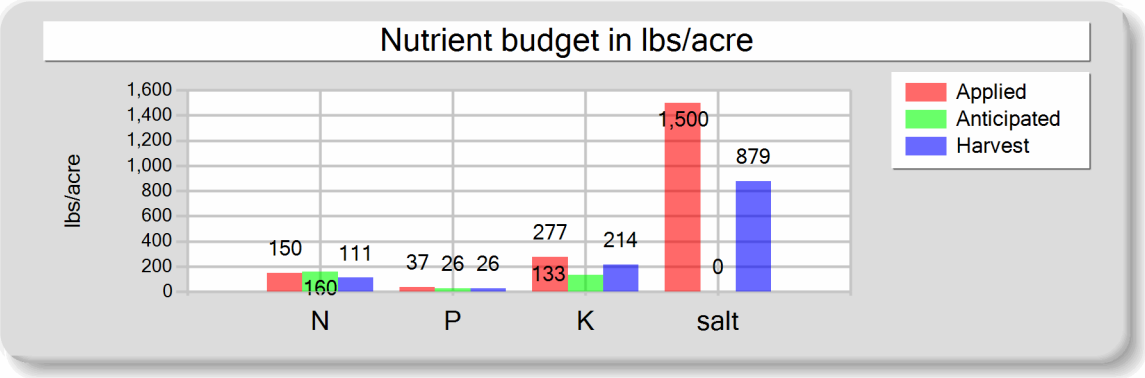

	Total N (lbs/acre)	Total P (lbs/acre)	Total K (lbs/acre)	Total salt (lbs/acre)
Existing soil nutrient content	0.00	0.00	0.00	0.00
Plowdown credit	0.00	0.00	0.00	0.00
Commercial fertilizer / Other	0.00	0.00	0.00	0.00
Dry manure	143.41	36.78	276.97	1,499.79
Process wastewater	0.00	0.00	0.00	0.00
Fresh water	0.00	0.00	0.00	0.00
Atmospheric deposition	7.00	0.00	0.00	0.00
Total nutrients applied	150.41	36.78	276.97	1,499.79
Anticipated crop nutrient removal	160.00	25.60	132.80	0.00
Actual crop nutrient removal	110.78	25.52	214.02	878.70
Nutrient balance	39.63	11.26	62.95	621.09
Applied to removed ratio	1.36	1.44	1.29	1.71

Fresh water applied
0.00 *gallons*
0.00 *acre-inches*
0.00 *inches/acre*

Process wastewater applied
0.00 *gallons*
0.00 *acre-inches*
0.00 *inches/acre*

Total harvests for the crop
1 *harvests*

cherrokee 40 acre - 06/13/2023: Corn, silage

Field name: cherrokee 40 acre Crop: Corn, silage Plant date: 06/13/2023

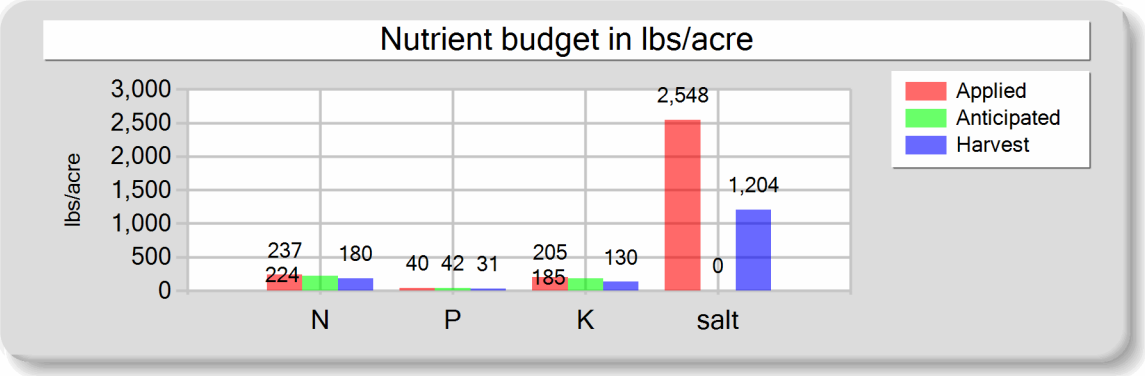

	Total N (lbs/acre)	Total P (lbs/acre)	Total K (lbs/acre)	Total salt (lbs/acre)
Existing soil nutrient content	0.00	0.00	0.00	0.00
Plowdown credit	0.00	0.00	0.00	0.00
Commercial fertilizer / Other	8.00	0.00	0.00	0.00
Dry manure	212.05	39.51	205.47	1,186.71
Process wastewater	0.00	0.00	0.00	0.00
Fresh water	9.73	0.00	0.00	1,361.03
Atmospheric deposition	7.00	0.00	0.00	0.00
Total nutrients applied	236.79	39.51	205.47	2,547.74
Anticipated crop nutrient removal	224.00	42.00	184.80	0.00
Actual crop nutrient removal	180.36	31.32	129.60	1,203.55
Nutrient balance	56.43	8.19	75.87	1,344.19
Applied to removed ratio	1.31	1.26	1.59	2.12

Fresh water applied	
32,112,000.00	*gallons*
1,182.58	*acre-inches*
31.12	*inches/acre*

Process wastewater applied	
0.00	*gallons*
0.00	*acre-inches*
0.00	*inches/acre*

Total harvests for the crop	
1	*harvests*

Cherrokee 80 acre - 10/29/2018: Alfalfa, hay

Field name: Cherrokee 80 acre Crop: Alfalfa, hay Plant date: 10/29/2018

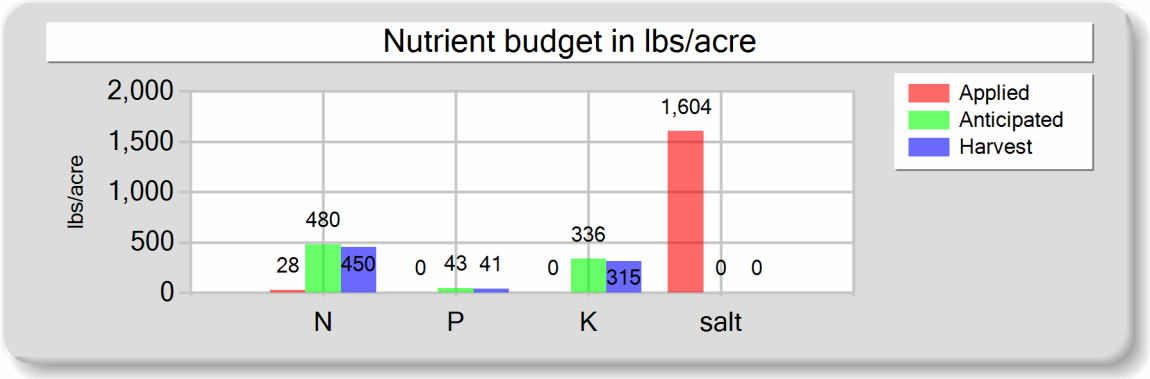

	Total N (lbs/acre)	Total P (lbs/acre)	Total K (lbs/acre)	Total salt (lbs/acre)
Existing soil nutrient content	0.00	0.00	0.00	0.00
Plowdown credit	0.00	0.00	0.00	0.00
Commercial fertilizer / Other	0.00	0.00	0.00	0.00
Dry manure	0.00	0.00	0.00	0.00
Process wastewater	0.00	0.00	0.00	0.00
Fresh water	13.59	0.00	0.00	1,603.63
Atmospheric deposition	14.00	0.00	0.00	0.00
Total nutrients applied	27.59	0.00	0.00	1,603.63
Anticipated crop nutrient removal	480.00	43.20	336.00	0.00
Actual crop nutrient removal	450.00	40.50	315.00	0.00
Nutrient balance	-422.41	-40.50	-315.00	1,603.63
Applied to removed ratio	0.06	0.00	0.00	0.00

Fresh water applied	
82,512,000.00	*gallons*
3,038.64	*acre-inches*
39.98	*inches/acre*

Process wastewater applied	
0.00	*gallons*
0.00	*acre-inches*
0.00	*inches/acre*

Total harvests for the crop	
1	*harvests*

Eric's - 10/23/2022: Oats, silage-soft dough

Field name: Eric's | Crop: Oats, silage-soft dough | Plant date: 10/23/2022

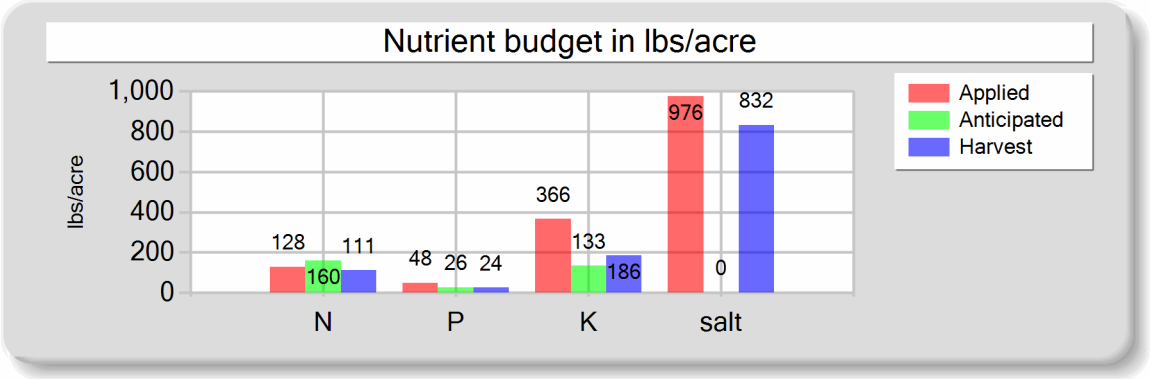

	Total N (lbs/acre)	Total P (lbs/acre)	Total K (lbs/acre)	Total salt (lbs/acre)
Existing soil nutrient content	0.00	0.00	0.00	0.00
Plowdown credit	0.00	0.00	0.00	0.00
Commercial fertilizer / Other	0.00	0.00	0.00	0.00
Dry manure	0.00	0.00	0.00	0.00
Process wastewater	121.17	48.32	365.51	976.37
Fresh water	0.00	0.00	0.00	0.00
Atmospheric deposition	7.00	0.00	0.00	0.00
Total nutrients applied	128.17	48.32	365.51	976.37
Anticipated crop nutrient removal	160.00	25.60	132.80	0.00
Actual crop nutrient removal	110.54	24.27	185.65	832.29
Nutrient balance	17.63	24.05	179.86	144.08
Applied to removed ratio	1.16	1.99	1.97	1.17

Fresh water applied	
0.00	*gallons*
0.00	*acre-inches*
0.00	*inches/acre*

Process wastewater applied	
510,000.00	*gallons*
18.78	*acre-inches*
1.10	*inches/acre*

Total harvests for the crop	
1	*harvests*

Eric's - 06/03/2023: Corn, silage

Field name: Eric's Crop: Corn, silage Plant date: 06/03/2023

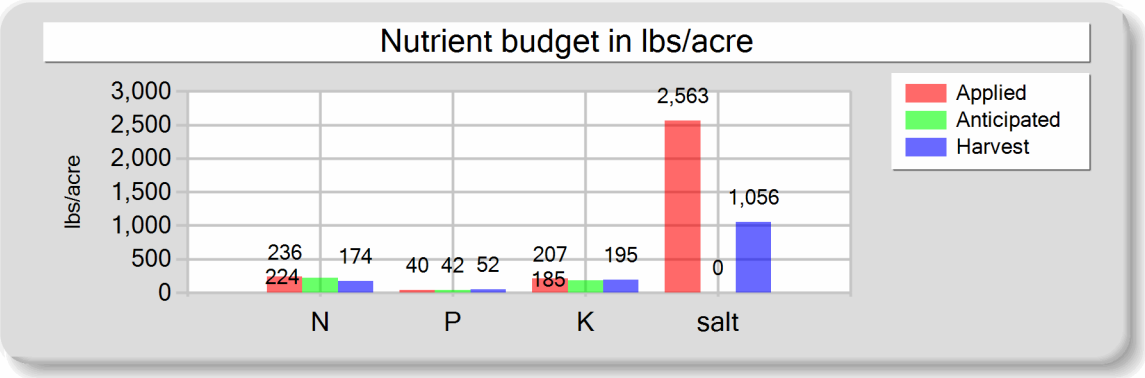

	Total N (lbs/acre)	Total P (lbs/acre)	Total K (lbs/acre)	Total salt (lbs/acre)
Existing soil nutrient content	0.00	0.00	0.00	0.00
Plowdown credit	0.00	0.00	0.00	0.00
Commercial fertilizer / Other	8.00	0.00	0.00	0.00
Dry manure	213.56	39.79	206.93	1,195.15
Process wastewater	0.00	0.00	0.00	0.00
Fresh water	7.92	0.00	0.00	1,367.68
Atmospheric deposition	7.00	0.00	0.00	0.00
Total nutrients applied	236.48	39.79	206.93	2,562.83
Anticipated crop nutrient removal	224.00	42.00	184.80	0.00
Actual crop nutrient removal	174.50	51.66	194.59	1,055.93
Nutrient balance	61.98	-11.87	12.34	1,506.90
Applied to removed ratio	1.36	0.77	1.06	2.43

Fresh water applied	
14,664,000.00	*gallons*
540.03	*acre-inches*
31.77	*inches/acre*

Process wastewater applied	
0.00	*gallons*
0.00	*acre-inches*
0.00	*inches/acre*

Total harvests for the crop	
1	*harvests*

Ferguson 1 - 10/22/2022: Oats, silage-soft dough

Field name: Ferguson 1 Crop: Oats, silage-soft dough Plant date: 10/22/2022

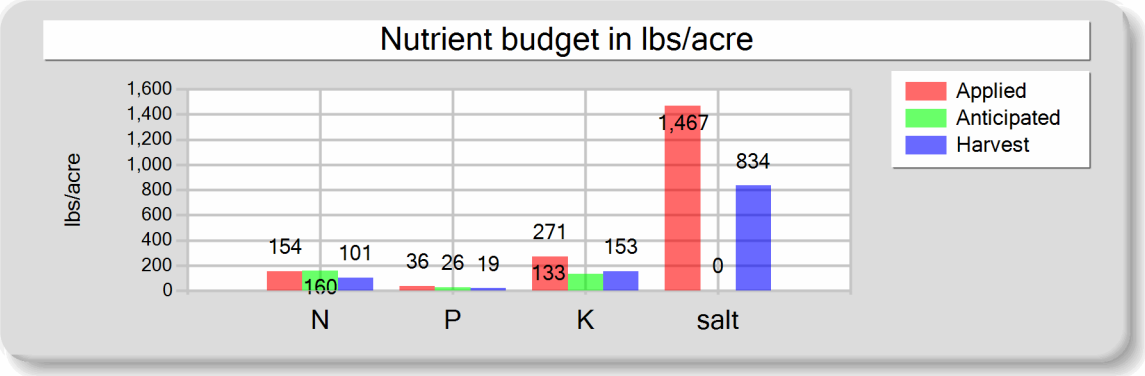

	Total N (lbs/acre)	Total P (lbs/acre)	Total K (lbs/acre)	Total salt (lbs/acre)
Existing soil nutrient content	0.00	0.00	0.00	0.00
Plowdown credit	0.00	0.00	0.00	0.00
Commercial fertilizer / Other	0.00	0.00	0.00	0.00
Dry manure	140.25	35.97	270.86	1,466.71
Process wastewater	0.00	0.00	0.00	0.00
Fresh water	0.00	0.00	0.00	0.00
Atmospheric deposition	14.00	0.00	0.00	0.00
Total nutrients applied	154.25	35.97	270.86	1,466.71
Anticipated crop nutrient removal	160.00	25.60	132.80	0.00
Actual crop nutrient removal	101.35	18.70	153.18	834.43
Nutrient balance	52.90	17.28	117.68	632.27
Applied to removed ratio	1.52	1.92	1.77	1.76

Fresh water applied
0.00 *gallons*
0.00 *acre-inches*
0.00 *inches/acre*

Process wastewater applied
0.00 *gallons*
0.00 *acre-inches*
0.00 *inches/acre*

Total harvests for the crop
1 *harvests*

Gomes - 10/23/2022: Oats, silage-soft dough

Field name: Gomes | Crop: Oats, silage-soft dough | Plant date: 10/23/2022

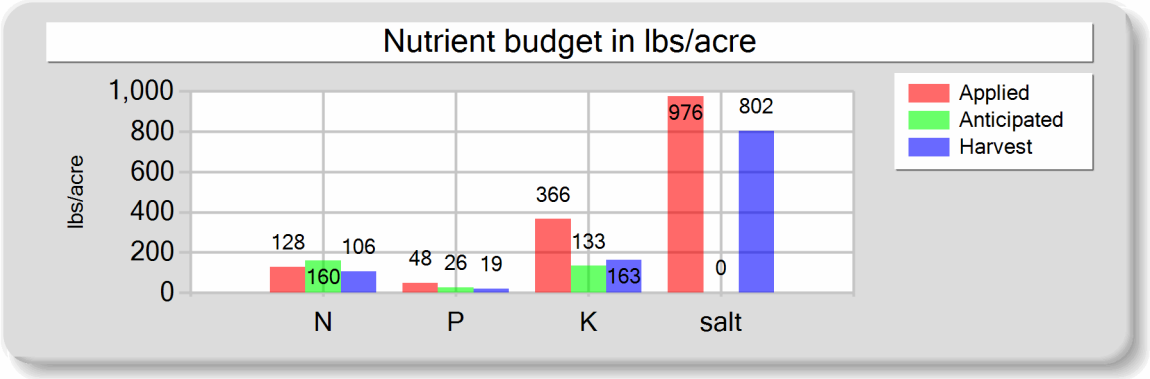

	Total N (lbs/acre)	Total P (lbs/acre)	Total K (lbs/acre)	Total salt (lbs/acre)
Existing soil nutrient content	0.00	0.00	0.00	0.00
Plowdown credit	0.00	0.00	0.00	0.00
Commercial fertilizer / Other	0.00	0.00	0.00	0.00
Dry manure	0.00	0.00	0.00	0.00
Process wastewater	121.17	48.32	365.51	976.37
Fresh water	0.00	0.00	0.00	0.00
Atmospheric deposition	7.00	0.00	0.00	0.00
Total nutrients applied	128.17	48.32	365.51	976.37
Anticipated crop nutrient removal	160.00	25.60	132.80	0.00
Actual crop nutrient removal	106.24	18.92	163.01	802.38
Nutrient balance	21.93	29.39	202.50	173.99
Applied to removed ratio	1.21	2.55	2.24	1.22

Fresh water applied	
0.00	*gallons*
0.00	*acre-inches*
0.00	*inches/acre*

Process wastewater applied	
1,080,000.00	*gallons*
39.77	*acre-inches*
1.10	*inches/acre*

Total harvests for the crop	
1	*harvests*

Gomes - 06/03/2023: Corn, silage

Field name: Gomes Crop: Corn, silage Plant date: 06/03/2023

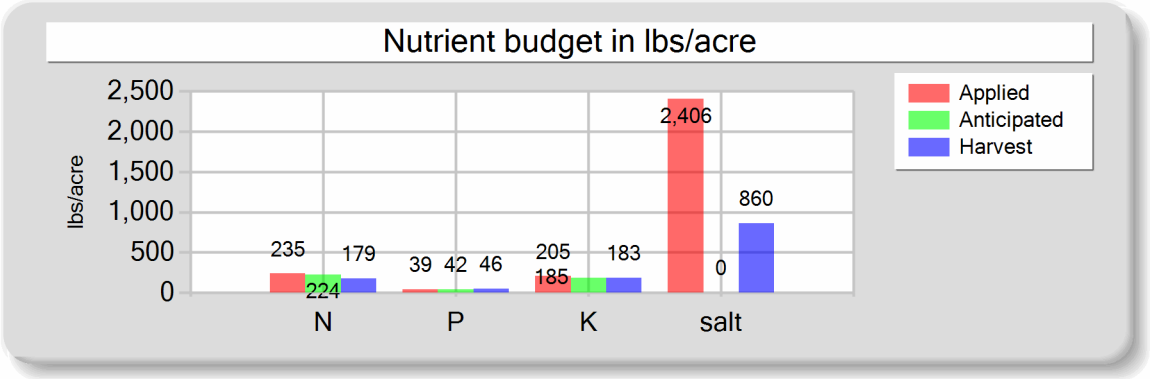

	Total N (lbs/acre)	Total P (lbs/acre)	Total K (lbs/acre)	Total salt (lbs/acre)
Existing soil nutrient content	0.00	0.00	0.00	0.00
Plowdown credit	0.00	0.00	0.00	0.00
Commercial fertilizer / Other	8.00	0.00	0.00	0.00
Dry manure	211.54	39.42	204.97	1,183.81
Process wastewater	0.00	0.00	0.00	0.00
Fresh water	8.92	0.00	0.00	1,222.40
Atmospheric deposition	7.00	0.00	0.00	0.00
Total nutrients applied	235.45	39.42	204.97	2,406.22
Anticipated crop nutrient removal	224.00	42.00	184.80	0.00
Actual crop nutrient removal	178.86	46.41	183.38	860.21
Nutrient balance	56.60	-7.00	21.58	1,546.01
Applied to removed ratio	1.32	0.85	1.12	2.80

Fresh water applied	
31,020,000.00	*gallons*
1,142.36	*acre-inches*
31.73	*inches/acre*

Process wastewater applied	
0.00	*gallons*
0.00	*acre-inches*
0.00	*inches/acre*

Total harvests for the crop	
1	*harvests*

Grape - 10/15/2022: Oats, silage-soft dough

Field name: Grape | Crop: Oats, silage-soft dough | Plant date: 10/15/2022

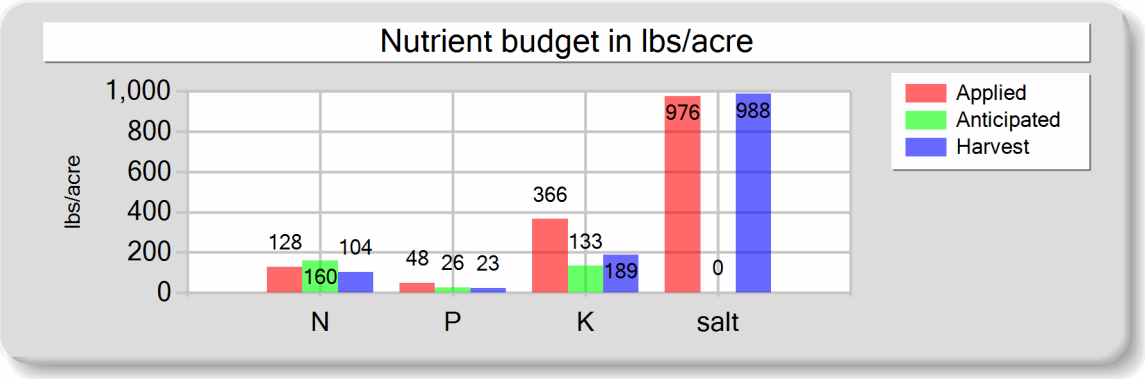

	Total N (lbs/acre)	Total P (lbs/acre)	Total K (lbs/acre)	Total salt (lbs/acre)
Existing soil nutrient content	0.00	0.00	0.00	0.00
Plowdown credit	0.00	0.00	0.00	0.00
Commercial fertilizer / Other	0.00	0.00	0.00	0.00
Dry manure	0.00	0.00	0.00	0.00
Process wastewater	121.17	48.32	365.51	976.37
Fresh water	0.00	0.00	0.00	0.00
Atmospheric deposition	7.00	0.00	0.00	0.00
Total nutrients applied	128.17	48.32	365.51	976.37
Anticipated crop nutrient removal	160.00	25.60	132.80	0.00
Actual crop nutrient removal	103.58	22.58	189.24	988.03
Nutrient balance	24.59	25.74	176.27	-11.67
Applied to removed ratio	1.24	2.14	1.93	0.99

Fresh water applied	
0.00	*gallons*
0.00	*acre-inches*
0.00	*inches/acre*

Process wastewater applied	
900,000.00	*gallons*
33.14	*acre-inches*
1.10	*inches/acre*

Total harvests for the crop	
1	*harvests*

Grape - 06/22/2023: Corn, silage

Field name: Grape Crop: Corn, silage Plant date: 06/22/2023

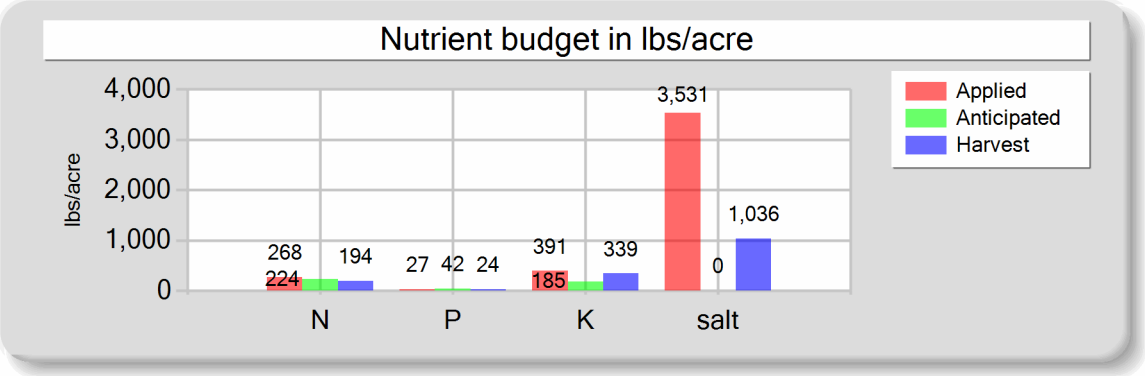

	Total N (lbs/acre)	Total P (lbs/acre)	Total K (lbs/acre)	Total salt (lbs/acre)
Existing soil nutrient content	0.00	0.00	0.00	0.00
Plowdown credit	0.00	0.00	0.00	0.00
Commercial fertilizer / Other	8.00	0.00	0.00	0.00
Dry manure	0.00	0.00	0.00	0.00
Process wastewater	231.32	26.94	391.05	2,012.81
Fresh water	21.96	0.00	0.00	1,518.56
Atmospheric deposition	7.00	0.00	0.00	0.00
Total nutrients applied	268.29	26.94	391.05	3,531.38
Anticipated crop nutrient removal	224.00	42.00	184.80	0.00
Actual crop nutrient removal	193.57	23.77	339.03	1,035.78
Nutrient balance	74.72	3.17	52.01	2,495.60
Applied to removed ratio	1.39	1.13	1.15	3.41

Fresh water applied	
23,430,000.00	*gallons*
862.85	*acre-inches*
28.76	*inches/acre*

Process wastewater applied	
1,800,000.00	*gallons*
66.29	*acre-inches*
2.21	*inches/acre*

Total harvests for the crop	
1	*harvests*

Harold Rd - 10/13/2022: Oats, silage-soft dough

Field name: Harold Rd Crop: Oats, silage-soft dough Plant date: 10/13/2022

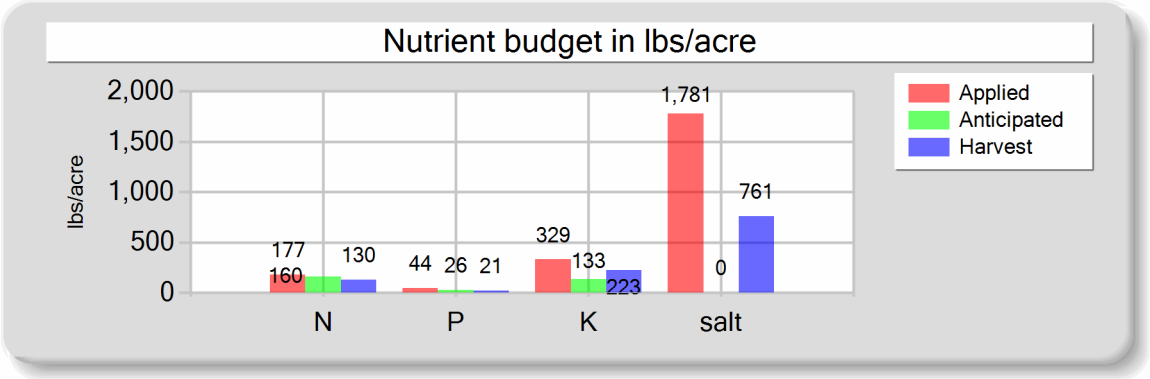

	Total N (lbs/acre)	Total P (lbs/acre)	Total K (lbs/acre)	Total salt (lbs/acre)
Existing soil nutrient content	0.00	0.00	0.00	0.00
Plowdown credit	0.00	0.00	0.00	0.00
Commercial fertilizer / Other	0.00	0.00	0.00	0.00
Dry manure	170.30	43.68	328.90	1,781.00
Process wastewater	0.00	0.00	0.00	0.00
Fresh water	0.00	0.00	0.00	0.00
Atmospheric deposition	7.00	0.00	0.00	0.00
Total nutrients applied	177.30	43.68	328.90	1,781.00
Anticipated crop nutrient removal	160.00	25.60	132.80	0.00
Actual crop nutrient removal	129.70	21.17	223.10	761.38
Nutrient balance	47.60	22.51	105.80	1,019.62
Applied to removed ratio	1.37	2.06	1.47	2.34

Fresh water applied
0.00 *gallons*
0.00 *acre-inches*
0.00 *inches/acre*

Process wastewater applied
0.00 *gallons*
0.00 *acre-inches*
0.00 *inches/acre*

Total harvests for the crop
1 *harvests*

Harold Rd - 06/10/2023: Corn, silage

Field name: Harold Rd Crop: Corn, silage Plant date: 06/10/2023

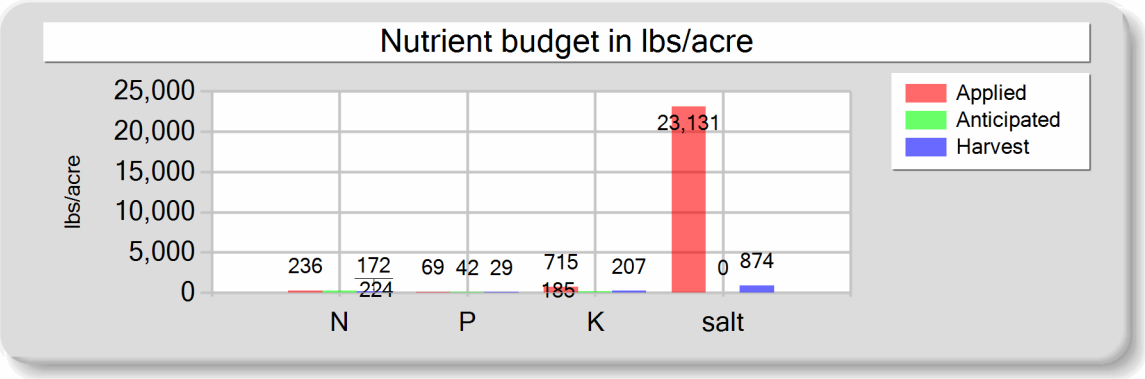

	Total N (lbs/acre)	Total P (lbs/acre)	Total K (lbs/acre)	Total salt (lbs/acre)
Existing soil nutrient content	0.00	0.00	0.00	0.00
Plowdown credit	0.00	0.00	0.00	0.00
Commercial fertilizer / Other	8.00	0.00	0.00	0.00
Dry manure	208.33	68.53	715.43	21,901.62
Process wastewater	0.00	0.00	0.00	0.00
Fresh water	13.00	0.00	0.00	1,229.06
Atmospheric deposition	7.00	0.00	0.00	0.00
Total nutrients applied	236.33	68.53	715.43	23,130.68
Anticipated crop nutrient removal	224.00	42.00	184.80	0.00
Actual crop nutrient removal	171.60	29.17	207.06	874.47
Nutrient balance	64.73	39.36	508.37	22,256.20
Applied to removed ratio	1.38	2.35	3.46	26.45

Fresh water applied	
96,120,000.00	*gallons*
3,539.77	*acre-inches*
28.55	*inches/acre*

Process wastewater applied	
0.00	*gallons*
0.00	*acre-inches*
0.00	*inches/acre*

Total harvests for the crop	
1	*harvests*

Hog Ranch - 10/19/2022: Oats, silage-soft dough

Field name: Hog Ranch | Crop: Oats, silage-soft dough | Plant date: 10/19/2022

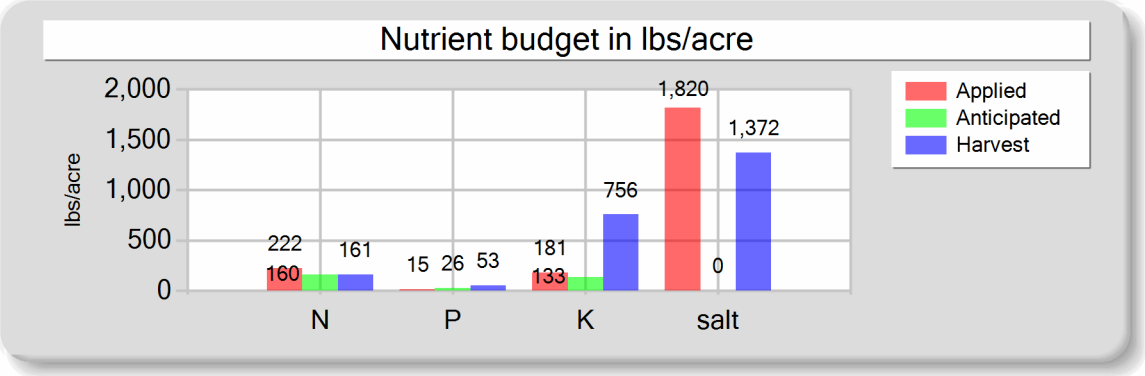

	Total N (lbs/acre)	Total P (lbs/acre)	Total K (lbs/acre)	Total salt (lbs/acre)
Existing soil nutrient content	0.00	0.00	0.00	0.00
Plowdown credit	0.00	0.00	0.00	0.00
Commercial fertilizer / Other	0.00	0.00	0.00	0.00
Dry manure	0.00	0.00	0.00	0.00
Process wastewater	215.30	15.27	181.14	1,820.01
Fresh water	0.00	0.00	0.00	0.00
Atmospheric deposition	7.00	0.00	0.00	0.00
Total nutrients applied	222.30	15.27	181.14	1,820.01
Anticipated crop nutrient removal	160.00	25.60	132.80	0.00
Actual crop nutrient removal	160.92	52.92	756.00	1,371.60
Nutrient balance	61.38	-37.65	-574.86	448.41
Applied to removed ratio	1.38	0.29	0.24	1.33

Fresh water applied	
0.00	*gallons*
0.00	*acre-inches*
0.00	*inches/acre*

Process wastewater applied	
2,580,000.00	*gallons*
95.01	*acre-inches*
1.27	*inches/acre*

Total harvests for the crop	
1	*harvests*

Hog Ranch - 06/13/2023: Corn, silage

Field name: Hog Ranch Crop: Corn, silage Plant date: 06/13/2023

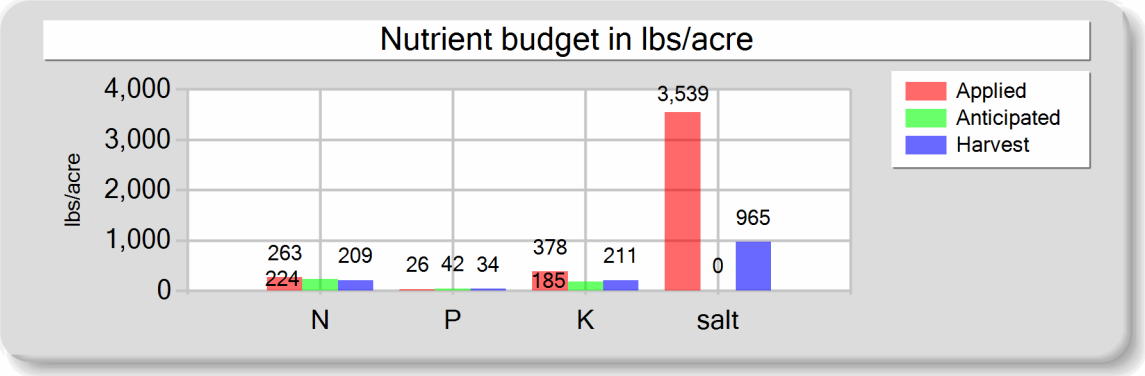

	Total N (lbs/acre)	Total P (lbs/acre)	Total K (lbs/acre)	Total salt (lbs/acre)
Existing soil nutrient content	0.00	0.00	0.00	0.00
Plowdown credit	0.00	0.00	0.00	0.00
Commercial fertilizer / Other	8.00	0.00	0.00	0.00
Dry manure	0.00	0.00	0.00	0.00
Process wastewater	223.61	26.04	378.01	1,945.72
Fresh water	24.21	0.00	0.00	1,593.62
Atmospheric deposition	7.00	0.00	0.00	0.00
Total nutrients applied	262.82	26.04	378.01	3,539.34
Anticipated crop nutrient removal	224.00	42.00	184.80	0.00
Actual crop nutrient removal	209.38	33.64	210.54	965.00
Nutrient balance	53.44	-7.60	167.47	2,574.33
Applied to removed ratio	1.26	0.77	1.80	3.67

Fresh water applied	
61,470,000.00	*gallons*
2,263.73	*acre-inches*
30.18	*inches/acre*

Process wastewater applied	
4,350,000.00	*gallons*
160.20	*acre-inches*
2.14	*inches/acre*

Total harvests for the crop	
1	*harvests*

McVey 40 acres - 10/18/2022: Oats, silage-soft dough

Field name: McVey 40 acres | Crop: Oats, silage-soft dough | Plant date: 10/18/2022

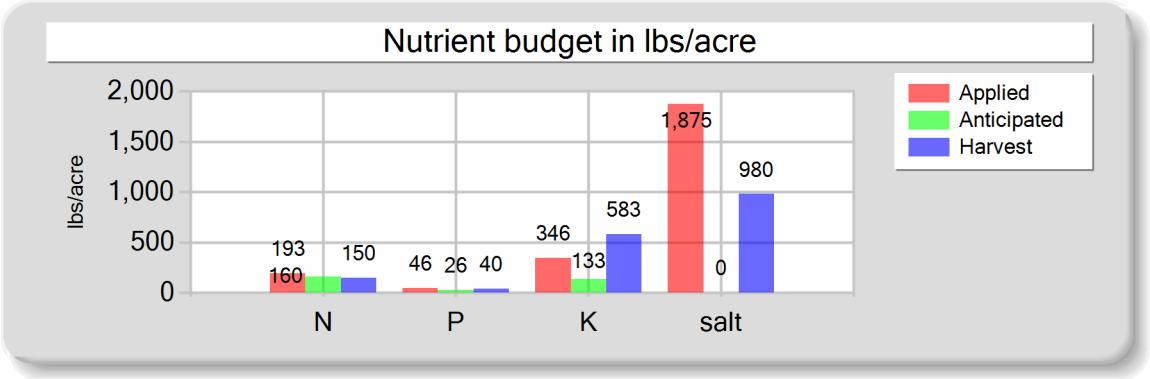

	Total N (lbs/acre)	Total P (lbs/acre)	Total K (lbs/acre)	Total salt (lbs/acre)
Existing soil nutrient content	0.00	0.00	0.00	0.00
Plowdown credit	0.00	0.00	0.00	0.00
Commercial fertilizer / Other	0.00	0.00	0.00	0.00
Dry manure	179.26	45.98	346.21	1,874.74
Process wastewater	0.00	0.00	0.00	0.00
Fresh water	0.00	0.00	0.00	0.00
Atmospheric deposition	14.00	0.00	0.00	0.00
Total nutrients applied	193.26	45.98	346.21	1,874.74
Anticipated crop nutrient removal	160.00	25.60	132.80	0.00
Actual crop nutrient removal	149.58	40.04	583.44	979.55
Nutrient balance	43.69	5.94	-237.23	895.19
Applied to removed ratio	1.29	1.15	0.59	1.91

Fresh water applied
0.00 *gallons*
0.00 *acre-inches*
0.00 *inches/acre*

Process wastewater applied
0.00 *gallons*
0.00 *acre-inches*
0.00 *inches/acre*

Total harvests for the crop
1 *harvests*

New House - 10/02/2022: Oats, silage-soft dough

Field name: New House | Crop: Oats, silage-soft dough | Plant date: 10/02/2022

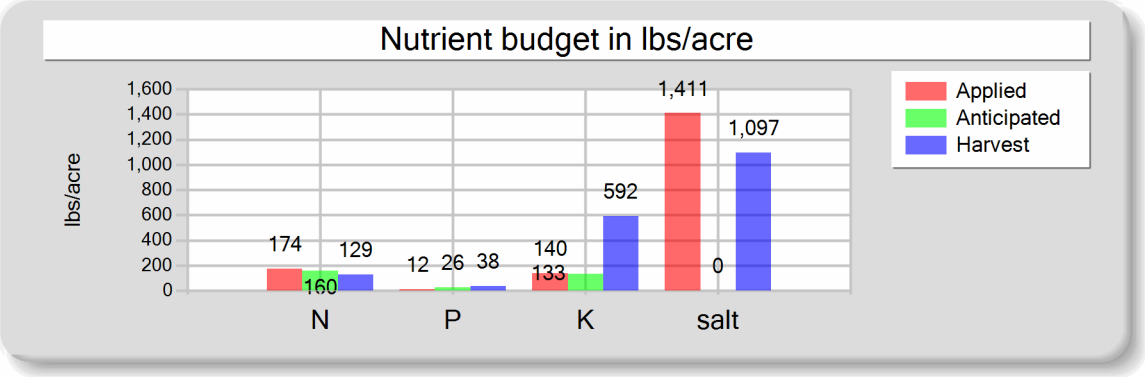

	Total N (lbs/acre)	Total P (lbs/acre)	Total K (lbs/acre)	Total salt (lbs/acre)
Existing soil nutrient content	0.00	0.00	0.00	0.00
Plowdown credit	0.00	0.00	0.00	0.00
Commercial fertilizer / Other	0.00	0.00	0.00	0.00
Dry manure	0.00	0.00	0.00	0.00
Process wastewater	166.90	11.84	140.42	1,410.86
Fresh water	0.00	0.00	0.00	0.00
Atmospheric deposition	7.00	0.00	0.00	0.00
Total nutrients applied	173.90	11.84	140.42	1,410.86
Anticipated crop nutrient removal	160.00	25.60	132.80	0.00
Actual crop nutrient removal	128.55	38.05	592.48	1,096.68
Nutrient balance	45.35	-26.21	-452.06	314.18
Applied to removed ratio	1.35	0.31	0.24	1.29

Fresh water applied	
0.00	*gallons*
0.00	*acre-inches*
0.00	*inches/acre*

Process wastewater applied	
480,000.00	*gallons*
17.68	*acre-inches*
0.98	*inches/acre*

Total harvests for the crop	
1	*harvests*

New House - 06/23/2023: Corn, silage

Field name: New House | Crop: Corn, silage | Plant date: 06/23/2023

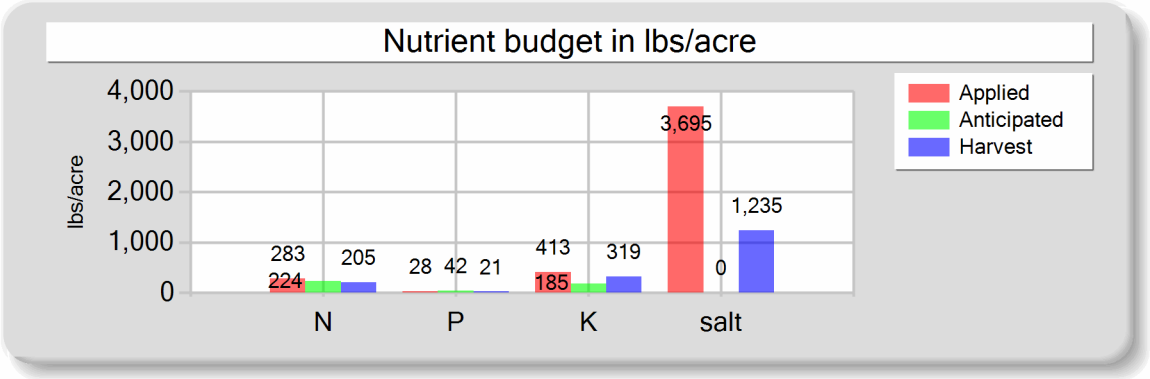

	Total N (lbs/acre)	Total P (lbs/acre)	Total K (lbs/acre)	Total salt (lbs/acre)
Existing soil nutrient content	0.00	0.00	0.00	0.00
Plowdown credit	0.00	0.00	0.00	0.00
Commercial fertilizer / Other	8.00	0.00	0.00	0.00
Dry manure	0.00	0.00	0.00	0.00
Process wastewater	244.17	28.43	412.77	2,124.64
Fresh water	23.85	0.00	0.00	1,570.09
Atmospheric deposition	7.00	0.00	0.00	0.00
Total nutrients applied	283.03	28.43	412.77	3,694.73
Anticipated crop nutrient removal	224.00	42.00	184.80	0.00
Actual crop nutrient removal	204.73	21.43	318.66	1,235.16
Nutrient balance	78.30	7.00	94.11	2,459.57
Applied to removed ratio	1.38	1.33	1.30	2.99

Fresh water applied	
14,535,000.00	*gallons*
535.27	*acre-inches*
29.74	*inches/acre*

Process wastewater applied	
1,140,000.00	*gallons*
41.98	*acre-inches*
2.33	*inches/acre*

Total harvests for the crop	
1	*harvests*

School - 10/21/2022: Oats, silage-soft dough

Field name: School | Crop: Oats, silage-soft dough | Plant date: 10/21/2022

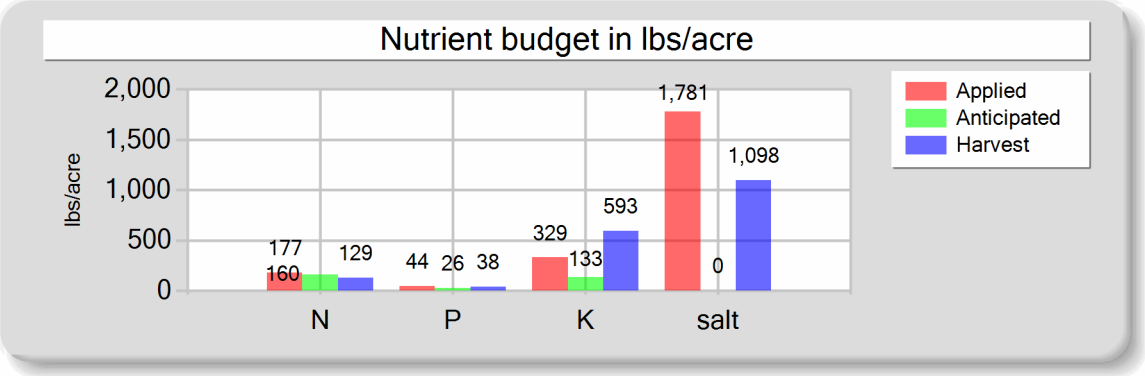

	Total N (lbs/acre)	Total P (lbs/acre)	Total K (lbs/acre)	Total salt (lbs/acre)
Existing soil nutrient content	0.00	0.00	0.00	0.00
Plowdown credit	0.00	0.00	0.00	0.00
Commercial fertilizer / Other	0.00	0.00	0.00	0.00
Dry manure	170.30	43.68	328.90	1,781.00
Process wastewater	0.00	0.00	0.00	0.00
Fresh water	0.00	0.00	0.00	0.00
Atmospheric deposition	7.00	0.00	0.00	0.00
Total nutrients applied	177.30	43.68	328.90	1,781.00
Anticipated crop nutrient removal	160.00	25.60	132.80	0.00
Actual crop nutrient removal	128.66	38.08	592.96	1,097.57
Nutrient balance	48.64	5.60	-264.06	683.43
Applied to removed ratio	1.38	1.15	0.55	1.62

Fresh water applied
0.00 *gallons*
0.00 *acre-inches*
0.00 *inches/acre*

Process wastewater applied
0.00 *gallons*
0.00 *acre-inches*
0.00 *inches/acre*

Total harvests for the crop
1 *harvests*

School - 06/23/2023: Corn, silage

Field name: School | Crop: Corn, silage | Plant date: 06/23/2023

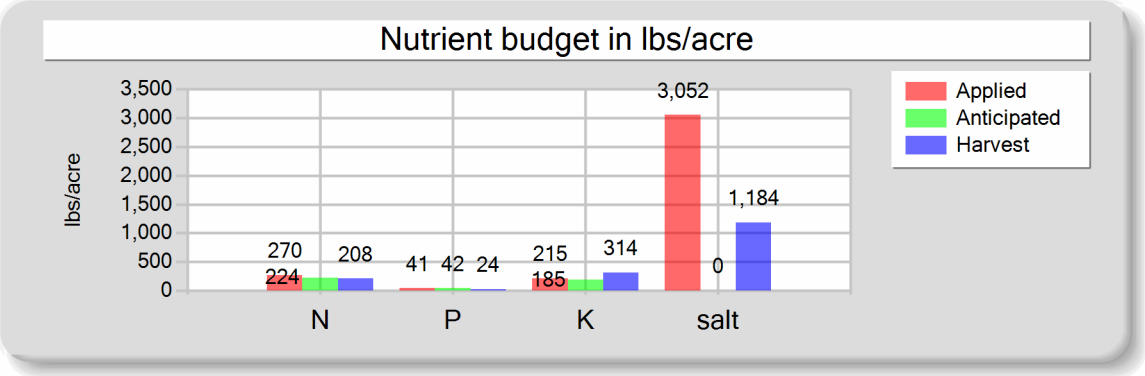

	Total N (lbs/acre)	Total P (lbs/acre)	Total K (lbs/acre)	Total salt (lbs/acre)
Existing soil nutrient content	0.00	0.00	0.00	0.00
Plowdown credit	0.00	0.00	0.00	0.00
Commercial fertilizer / Other	8.00	0.00	0.00	0.00
Dry manure	221.38	41.25	214.50	1,238.88
Process wastewater	0.00	0.00	0.00	0.00
Fresh water	33.47	0.00	0.00	1,813.07
Atmospheric deposition	7.00	0.00	0.00	0.00
Total nutrients applied	269.84	41.25	214.50	3,051.94
Anticipated crop nutrient removal	224.00	42.00	184.80	0.00
Actual crop nutrient removal	208.12	23.69	313.58	1,184.40
Nutrient balance	61.73	17.56	-99.08	1,867.54
Applied to removed ratio	1.30	1.74	0.68	2.58

Fresh water applied	
13,740,000.00	*gallons*
506.00	*acre-inches*
31.62	*inches/acre*

Process wastewater applied	
0.00	*gallons*
0.00	*acre-inches*
0.00	*inches/acre*

Total harvests for the crop	
1	*harvests*

Solwes Lower - 10/20/2022: Oats, silage-soft dough

Field name: Solwes Lower | Crop: Oats, silage-soft dough | Plant date: 10/20/2022

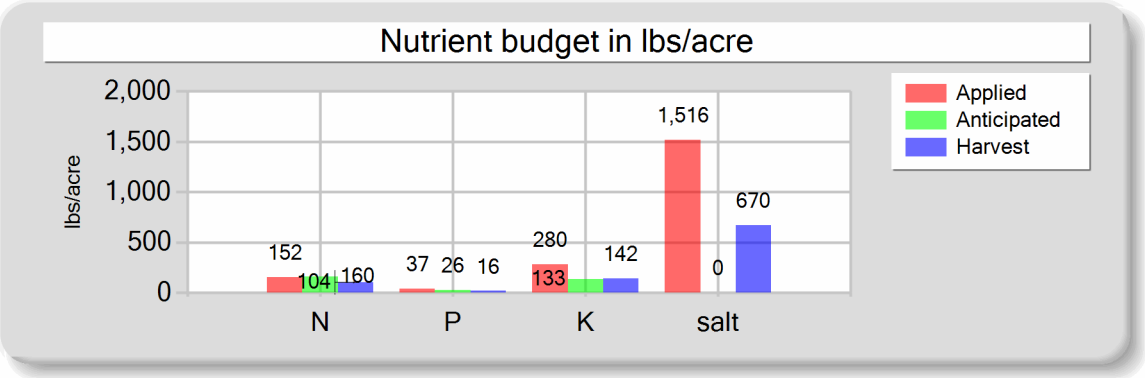

	Total N (lbs/acre)	Total P (lbs/acre)	Total K (lbs/acre)	Total salt (lbs/acre)
Existing soil nutrient content	0.00	0.00	0.00	0.00
Plowdown credit	0.00	0.00	0.00	0.00
Commercial fertilizer / Other	0.00	0.00	0.00	0.00
Dry manure	144.94	37.17	279.91	1,515.74
Process wastewater	0.00	0.00	0.00	0.00
Fresh water	0.00	0.00	0.00	0.00
Atmospheric deposition	7.00	0.00	0.00	0.00
Total nutrients applied	151.94	37.17	279.91	1,515.74
Anticipated crop nutrient removal	160.00	25.60	132.80	0.00
Actual crop nutrient removal	104.49	16.36	141.54	670.26
Nutrient balance	47.45	20.82	138.37	845.49
Applied to removed ratio	1.45	2.27	1.98	2.26

Fresh water applied
0.00 *gallons*
0.00 *acre-inches*
0.00 *inches/acre*

Process wastewater applied
0.00 *gallons*
0.00 *acre-inches*
0.00 *inches/acre*

Total harvests for the crop
1 *harvests*

Solwes Lower - 06/03/2023: Corn, silage

Field name: Solwes Lower Crop: Corn, silage Plant date: 06/03/2023

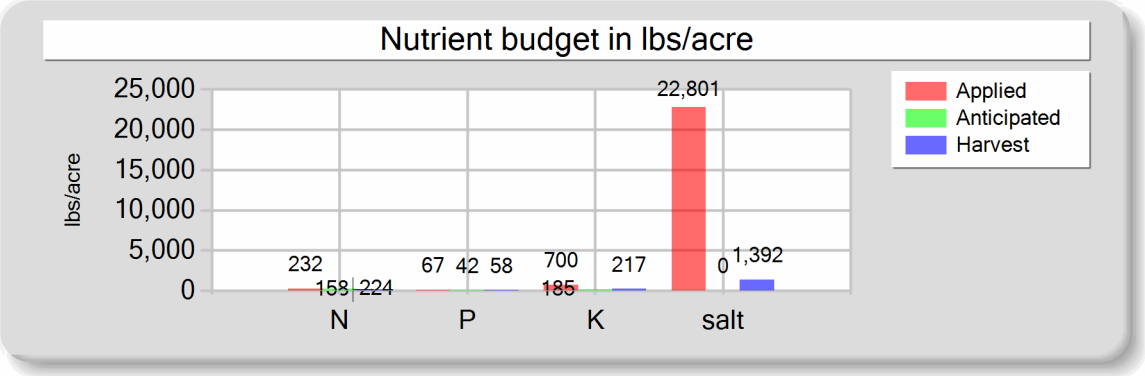

	Total N (lbs/acre)	Total P (lbs/acre)	Total K (lbs/acre)	Total salt (lbs/acre)
Existing soil nutrient content	0.00	0.00	0.00	0.00
Plowdown credit	0.00	0.00	0.00	0.00
Commercial fertilizer / Other	8.00	0.00	0.00	0.00
Dry manure	203.86	67.06	700.10	21,432.24
Process wastewater	0.00	0.00	0.00	0.00
Fresh water	13.11	0.00	0.00	1,368.70
Atmospheric deposition	7.00	0.00	0.00	0.00
Total nutrients applied	231.97	67.06	700.10	22,800.94
Anticipated crop nutrient removal	224.00	42.00	184.80	0.00
Actual crop nutrient removal	157.85	58.30	216.70	1,391.94
Nutrient balance	74.12	8.76	483.40	21,409.00
Applied to removed ratio	1.47	1.15	3.23	16.38

Fresh water applied	
40,572,000.00	*gallons*
1,494.13	*acre-inches*
31.79	*inches/acre*

Process wastewater applied	
0.00	*gallons*
0.00	*acre-inches*
0.00	*inches/acre*

Total harvests for the crop	
1	*harvests*

Sowles Upper - 10/20/2022: Oats, silage-soft dough

Field name: Sowles Upper | Crop: Oats, silage-soft dough | Plant date: 10/20/2022

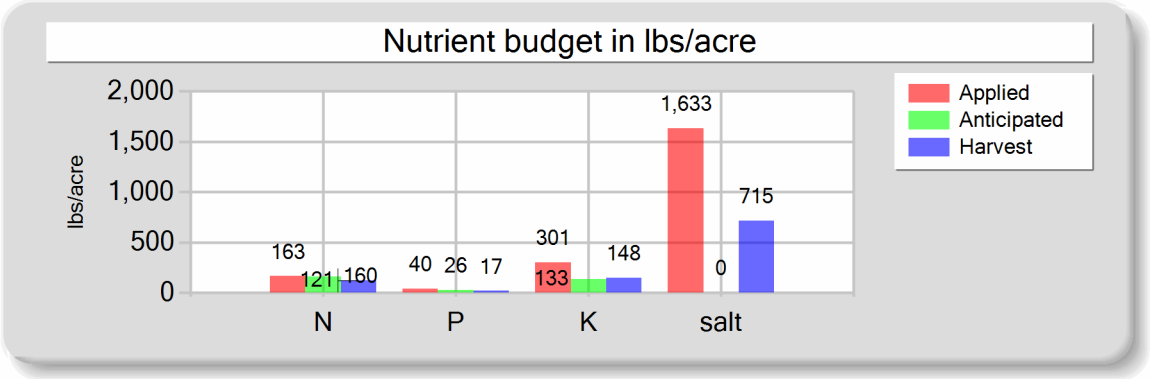

	Total N (lbs/acre)	Total P (lbs/acre)	Total K (lbs/acre)	Total salt (lbs/acre)
Existing soil nutrient content	0.00	0.00	0.00	0.00
Plowdown credit	0.00	0.00	0.00	0.00
Commercial fertilizer / Other	0.00	0.00	0.00	0.00
Dry manure	156.11	40.04	301.49	1,632.58
Process wastewater	0.00	0.00	0.00	0.00
Fresh water	0.00	0.00	0.00	0.00
Atmospheric deposition	7.00	0.00	0.00	0.00
Total nutrients applied	163.11	40.04	301.49	1,632.58
Anticipated crop nutrient removal	160.00	25.60	132.80	0.00
Actual crop nutrient removal	121.30	17.14	147.50	715.44
Nutrient balance	41.81	22.90	153.99	917.14
Applied to removed ratio	1.34	2.34	2.04	2.28

Fresh water applied
0.00 *gallons*
0.00 *acre-inches*
0.00 *inches/acre*

Process wastewater applied
0.00 *gallons*
0.00 *acre-inches*
0.00 *inches/acre*

Total harvests for the crop
1 *harvests*

Sowles Upper - 06/03/2023: Corn, silage

Field name: Sowles Upper Crop: Corn, silage Plant date: 06/03/2023

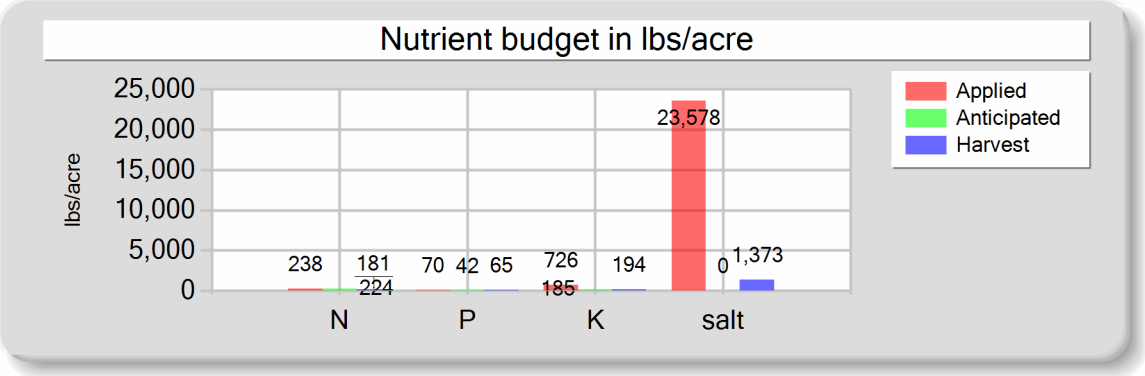

	Total N (lbs/acre)	Total P (lbs/acre)	Total K (lbs/acre)	Total salt (lbs/acre)
Existing soil nutrient content	0.00	0.00	0.00	0.00
Plowdown credit	0.00	0.00	0.00	0.00
Commercial fertilizer / Other	8.00	0.00	0.00	0.00
Dry manure	211.36	69.53	725.84	22,220.19
Process wastewater	0.00	0.00	0.00	0.00
Fresh water	12.13	0.00	0.00	1,358.27
Atmospheric deposition	7.00	0.00	0.00	0.00
Total nutrients applied	238.49	69.53	725.84	23,578.46
Anticipated crop nutrient removal	224.00	42.00	184.80	0.00
Actual crop nutrient removal	181.39	65.21	193.99	1,373.07
Nutrient balance	57.10	4.31	531.85	22,205.39
Applied to removed ratio	1.31	1.07	3.74	17.17

Fresh water applied	
52,224,000.00	*gallons*
1,923.23	*acre-inches*
32.05	*inches/acre*

Process wastewater applied	
0.00	*gallons*
0.00	*acre-inches*
0.00	*inches/acre*

Total harvests for the crop	
1	*harvests*

Swingle - 10/17/2022: Oats, silage-soft dough

Field name: Swingle | Crop: Oats, silage-soft dough | Plant date: 10/17/2022

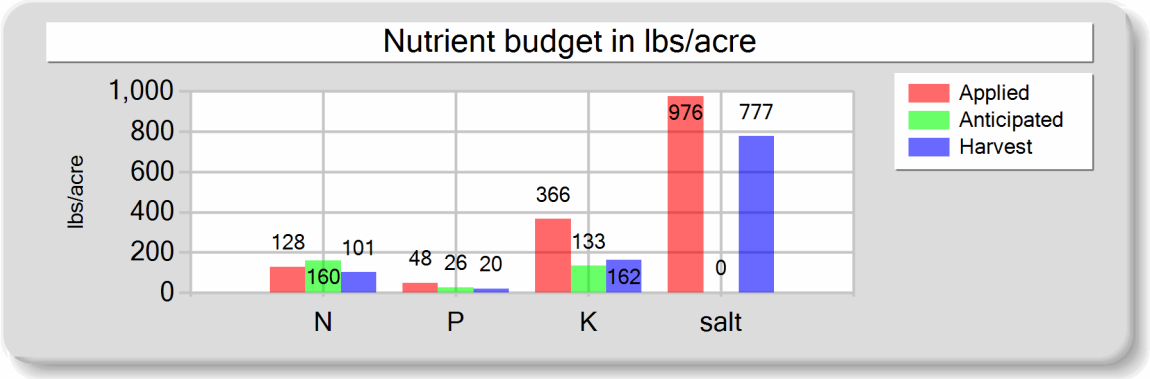

	Total N (lbs/acre)	Total P (lbs/acre)	Total K (lbs/acre)	Total salt (lbs/acre)
Existing soil nutrient content	0.00	0.00	0.00	0.00
Plowdown credit	0.00	0.00	0.00	0.00
Commercial fertilizer / Other	0.00	0.00	0.00	0.00
Dry manure	0.00	0.00	0.00	0.00
Process wastewater	121.17	48.32	365.51	976.37
Fresh water	0.00	0.00	0.00	0.00
Atmospheric deposition	7.00	0.00	0.00	0.00
Total nutrients applied	128.17	48.32	365.51	976.37
Anticipated crop nutrient removal	160.00	25.60	132.80	0.00
Actual crop nutrient removal	100.80	20.16	161.62	776.56
Nutrient balance	27.37	28.16	203.90	199.80
Applied to removed ratio	1.27	2.40	2.26	1.26

Fresh water applied
0.00 *gallons*
0.00 *acre-inches*
0.00 *inches/acre*

Process wastewater applied
570,000.00 *gallons*
20.99 *acre-inches*
1.10 *inches/acre*

Total harvests for the crop
1 *harvests*

Swingle - 06/24/2023: Corn, silage

Field name: Swingle Crop: Corn, silage Plant date: 06/24/2023

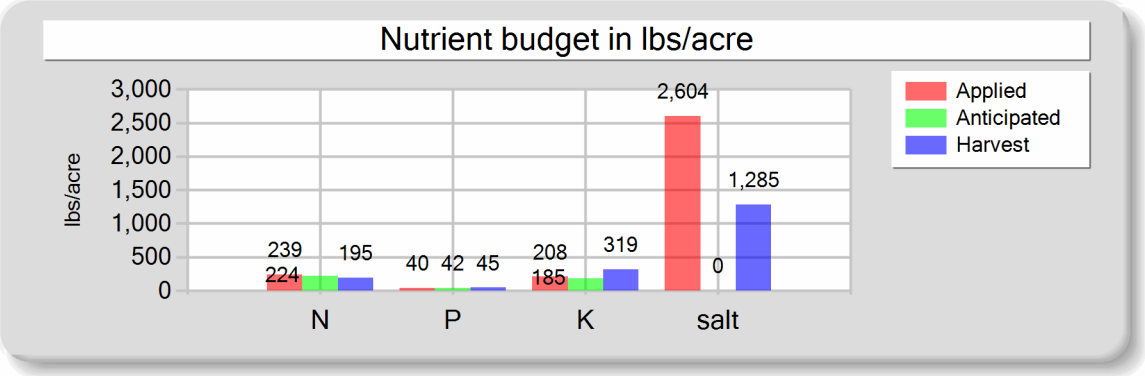

	Total N (lbs/acre)	Total P (lbs/acre)	Total K (lbs/acre)	Total salt (lbs/acre)
Existing soil nutrient content	0.00	0.00	0.00	0.00
Plowdown credit	0.00	0.00	0.00	0.00
Commercial fertilizer / Other	8.00	0.00	0.00	0.00
Dry manure	214.38	39.95	207.73	1,199.75
Process wastewater	0.00	0.00	0.00	0.00
Fresh water	10.04	0.00	0.00	1,403.75
Atmospheric deposition	7.00	0.00	0.00	0.00
Total nutrients applied	239.42	39.95	207.73	2,603.50
Anticipated crop nutrient removal	224.00	42.00	184.80	0.00
Actual crop nutrient removal	194.51	44.54	319.10	1,285.44
Nutrient balance	44.91	-4.59	-111.38	1,318.06
Applied to removed ratio	1.23	0.90	0.65	2.03

Fresh water applied	
16,560,000.00	*gallons*
609.85	*acre-inches*
32.10	*inches/acre*

Process wastewater applied	
0.00	*gallons*
0.00	*acre-inches*
0.00	*inches/acre*

Total harvests for the crop	
1	*harvests*

Virtue Place - 10/17/2022: Oats, silage-soft dough

Field name: Virtue Place | Crop: Oats, silage-soft dough | Plant date: 10/17/2022

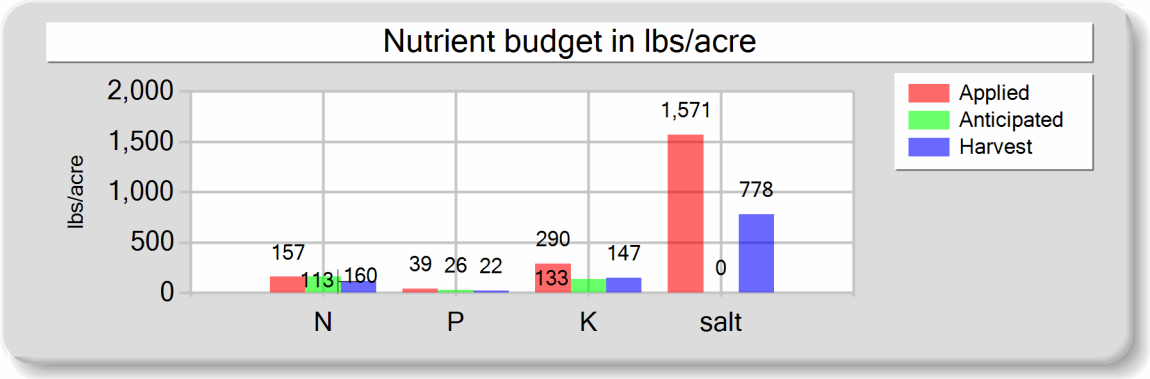

	Total N (lbs/acre)	Total P (lbs/acre)	Total K (lbs/acre)	Total salt (lbs/acre)
Existing soil nutrient content	0.00	0.00	0.00	0.00
Plowdown credit	0.00	0.00	0.00	0.00
Commercial fertilizer / Other	0.00	0.00	0.00	0.00
Dry manure	150.26	38.54	290.21	1,571.47
Process wastewater	0.00	0.00	0.00	0.00
Fresh water	0.00	0.00	0.00	0.00
Atmospheric deposition	7.00	0.00	0.00	0.00
Total nutrients applied	157.26	38.54	290.21	1,571.47
Anticipated crop nutrient removal	160.00	25.60	132.80	0.00
Actual crop nutrient removal	113.40	22.12	146.72	778.08
Nutrient balance	43.86	16.42	143.49	793.40
Applied to removed ratio	1.39	1.74	1.98	2.02

Fresh water applied
0.00 *gallons*
0.00 *acre-inches*
0.00 *inches/acre*

Process wastewater applied
0.00 *gallons*
0.00 *acre-inches*
0.00 *inches/acre*

Total harvests for the crop
1 *harvests*

Virtue Place - 06/14/2023: Corn, silage

Field name: Virtue Place | Crop: Corn, silage | Plant date: 06/14/2023

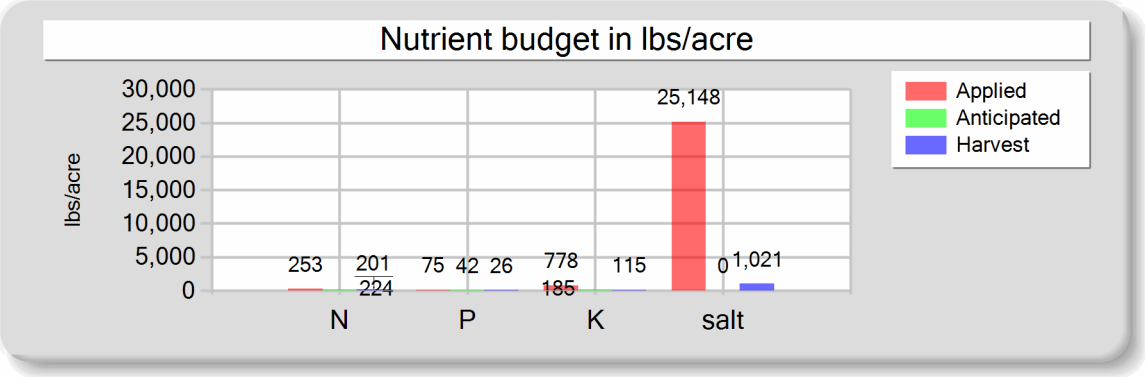

	Total N (lbs/acre)	Total P (lbs/acre)	Total K (lbs/acre)	Total salt (lbs/acre)
Existing soil nutrient content	0.00	0.00	0.00	0.00
Plowdown credit	0.00	0.00	0.00	0.00
Commercial fertilizer / Other	8.00	0.00	0.00	0.00
Dry manure	226.55	74.52	778.03	23,817.72
Process wastewater	0.00	0.00	0.00	0.00
Fresh water	11.70	0.00	0.00	1,329.79
Atmospheric deposition	7.00	0.00	0.00	0.00
Total nutrients applied	253.25	74.52	778.03	25,147.51
Anticipated crop nutrient removal	224.00	42.00	184.80	0.00
Actual crop nutrient removal	200.72	26.13	114.54	1,021.26
Nutrient balance	52.53	48.39	663.49	24,126.25
Applied to removed ratio	1.26	2.85	6.79	24.62

Fresh water applied	
148,032,000.00	*gallons*
5,451.52	*acre-inches*
32.07	*inches/acre*

Process wastewater applied	
0.00	*gallons*
0.00	*acre-inches*
0.00	*inches/acre*

Total harvests for the crop	
1	*harvests*

West - 10/22/2022: Oats, silage-soft dough

Field name: West | Crop: Oats, silage-soft dough | Plant date: 10/22/2022

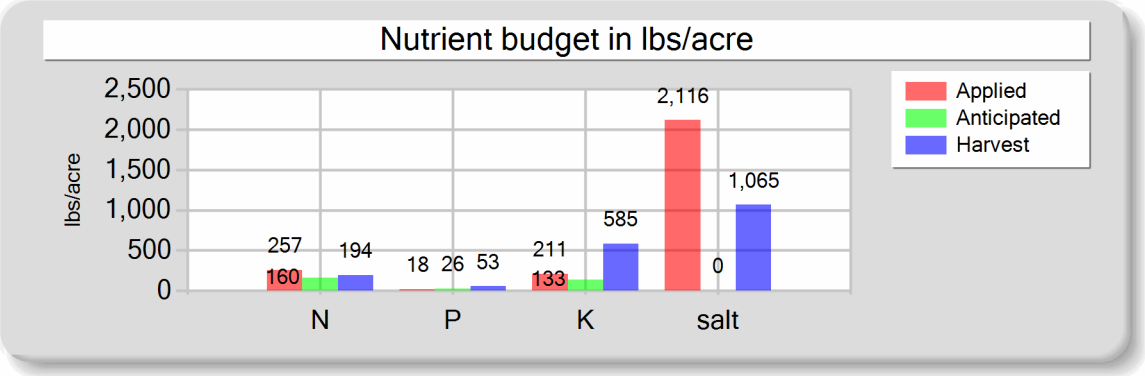

	Total N (lbs/acre)	Total P (lbs/acre)	Total K (lbs/acre)	Total salt (lbs/acre)
Existing soil nutrient content	0.00	0.00	0.00	0.00
Plowdown credit	0.00	0.00	0.00	0.00
Commercial fertilizer / Other	0.00	0.00	0.00	0.00
Dry manure	0.00	0.00	0.00	0.00
Process wastewater	250.35	17.76	210.63	2,116.29
Fresh water	0.00	0.00	0.00	0.00
Atmospheric deposition	7.00	0.00	0.00	0.00
Total nutrients applied	257.35	17.76	210.63	2,116.29
Anticipated crop nutrient removal	160.00	25.60	132.80	0.00
Actual crop nutrient removal	193.80	53.04	584.80	1,064.54
Nutrient balance	63.55	-35.28	-374.17	1,051.75
Applied to removed ratio	1.33	0.33	0.36	1.99

Fresh water applied	
0.00	*gallons*
0.00	*acre-inches*
0.00	*inches/acre*

Process wastewater applied	
1,800,000.00	*gallons*
66.29	*acre-inches*
1.47	*inches/acre*

Total harvests for the crop	
1	*harvests*

West - 06/24/2023: Corn, silage

Field name: West | Crop: Corn, silage | Plant date: 06/24/2023

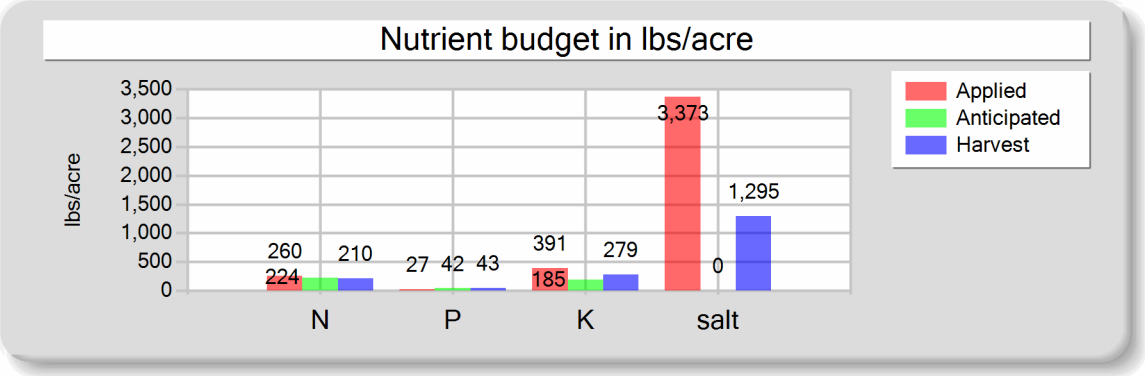

	Total N (lbs/acre)	Total P (lbs/acre)	Total K (lbs/acre)	Total salt (lbs/acre)
Existing soil nutrient content	0.00	0.00	0.00	0.00
Plowdown credit	0.00	0.00	0.00	0.00
Commercial fertilizer / Other	8.00	0.00	0.00	0.00
Dry manure	0.00	0.00	0.00	0.00
Process wastewater	231.32	26.94	391.05	2,012.81
Fresh water	14.15	0.00	0.00	1,359.89
Atmospheric deposition	7.00	0.00	0.00	0.00
Total nutrients applied	260.47	26.94	391.05	3,372.70
Anticipated crop nutrient removal	224.00	42.00	184.80	0.00
Actual crop nutrient removal	209.61	42.81	278.56	1,294.81
Nutrient balance	50.86	-15.87	112.49	2,077.89
Applied to removed ratio	1.24	0.63	1.40	2.60

Fresh water applied	
37,224,000.00	*gallons*
1,370.83	*acre-inches*
30.46	*inches/acre*

Process wastewater applied	
2,700,000.00	*gallons*
99.43	*acre-inches*
2.21	*inches/acre*

Total harvests for the crop	
1	*harvests*

Woods - 04/20/2021: Alfalfa, hay

Field name: Woods | Crop: Alfalfa, hay | Plant date: 04/20/2021

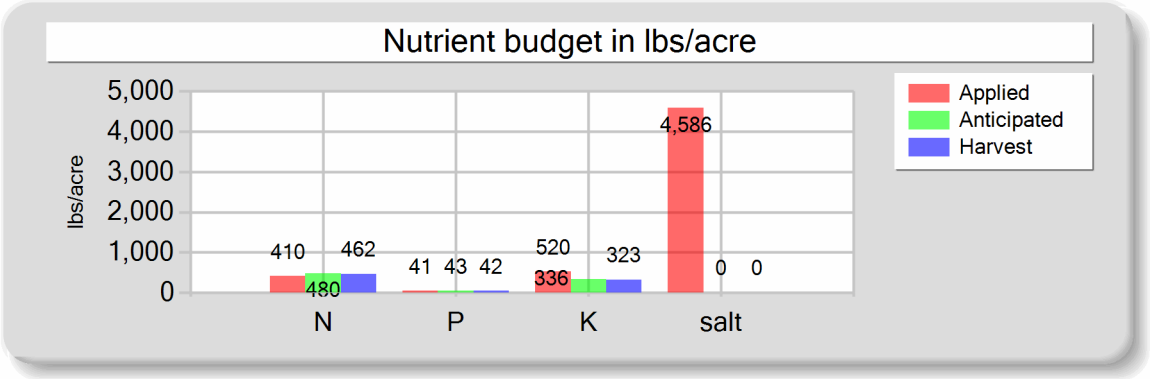

	Total N (lbs/acre)	Total P (lbs/acre)	Total K (lbs/acre)	Total salt (lbs/acre)
Existing soil nutrient content	0.00	0.00	0.00	0.00
Plowdown credit	0.00	0.00	0.00	0.00
Commercial fertilizer / Other	0.00	0.00	0.00	0.00
Dry manure	0.00	0.00	0.00	0.00
Process wastewater	383.86	41.18	519.54	3,082.51
Fresh water	11.91	0.00	0.00	1,503.19
Atmospheric deposition	14.00	0.00	0.00	0.00
Total nutrients applied	409.77	41.18	519.54	4,585.70
Anticipated crop nutrient removal	480.00	43.20	336.00	0.00
Actual crop nutrient removal	462.00	41.58	323.40	0.00
Nutrient balance	-52.23	-0.40	196.14	4,585.70
Applied to removed ratio	0.89	0.99	1.61	0.00

Fresh water applied	
73,824,000.00	*gallons*
2,718.69	*acre-inches*
36.25	*inches/acre*

Process wastewater applied	
6,840,000.00	*gallons*
251.89	*acre-inches*
3.36	*inches/acre*

Total harvests for the crop	
1	*harvests*

NUTRIENT ANALYSES

A. MANURE ANALYSES

Separator Solids

Sample and source description: Separator Solids

Sample date: 09/13/2022 Material type: Separator solids Source of analysis: Lab analysis Method of reporting: Dry-weight

Moisture: 67.5 %

	Total N (mg/kg)	Total P (mg/kg)	Total K (mg/kg)	Calcium (mg/kg)	Magnesium (mg/kg)	Sodium (mg/kg)	Sulfur (mg/kg)	Chloride (mg/kg)	Total salt (mg/kg)	TFS (%)
Value	26,200.00	6,720.00	50,600.00							27.40
DL	100.00	100.00	100.00							0.01

Corral Solids

Sample and source description: Corral Solids

Sample date: 04/18/2023 Material type: Corral solids Source of analysis: Lab analysis Method of reporting: Dry-weight

Moisture: 38.2 %

	Total N (mg/kg)	Total P (mg/kg)	Total K (mg/kg)	Calcium (mg/kg)	Magnesium (mg/kg)	Sodium (mg/kg)	Sulfur (mg/kg)	Chloride (mg/kg)	Total salt (mg/kg)	TFS (%)
Value	7,600.00	2,500.00	26,100.00							79.90
DL	100.00	100.00	100.00							0.01

Separator Solids

Sample and source description: Separator Solids

Sample date: 04/18/2023 Material type: Separator solids Source of analysis: Lab analysis Method of reporting: Dry-weight

Moisture: 72.5 %

	Total N (mg/kg)	Total P (mg/kg)	Total K (mg/kg)	Calcium (mg/kg)	Magnesium (mg/kg)	Sodium (mg/kg)	Sulfur (mg/kg)	Chloride (mg/kg)	Total salt (mg/kg)	TFS (%)
Value	16,100.00	3,000.00	15,600.00							9.01
DL	100.00	100.00	100.00							0.01

Corral Solids

Sample and source description: Corral Solids

Sample date: 10/10/2023 Material type: Corral solids Source of analysis: Lab analysis Method of reporting: Dry-weight

Moisture: 66.0 %

	Total N (mg/kg)	Total P (mg/kg)	Total K (mg/kg)	Calcium (mg/kg)	Magnesium (mg/kg)	Sodium (mg/kg)	Sulfur (mg/kg)	Chloride (mg/kg)	Total salt (mg/kg)	TFS (%)
Value	23,600.00	4,760.00	45,700.00							27.50
DL	100.00	100.00	100.00							0.01

Separator Solids

Sample and source description: Separator Solids

Sample date: 10/10/2023 Material type: Separator solids Source of analysis: Lab analysis Method of reporting: Dry-weight

Moisture: 56.7 %

	Total N (mg/kg)	Total P (mg/kg)	Total K (mg/kg)	Calcium (mg/kg)	Magnesium (mg/kg)	Sodium (mg/kg)	Sulfur (mg/kg)	Chloride (mg/kg)	Total salt (mg/kg)	TFS (%)
Value	16,300.00	3,600.00	11,300.00							53.50
DL	100.00	100.00	100.00							0.01

B. PROCESS WASTEWATER ANALYSES

Slurry

Sample and source description: Slurry

Sample date: 10/04/2022 Material type: Process wastewater sludge Source of analysis: Lab analysis pH:

	Kjeldahl-N (mg/L)	NH4-N (mg/L)	NH3-N (mg/L)	Nitrate-N (mg/L)	Total P (mg/L)	Total K (mg/L)	Calcium (mg/L)	Magnes. (mg/L)	Sodium (mg/L)	Bicarb. (mg/L)	Carb. (mg/L)	Sulfate (mg/L)	Chloride (mg/L)	EC (µmhos/cm)	TDS (mg/L)
Value	484.00	84.00	0.00	0.00	193.00	1,460.00								8,890.00	3,900
DL	0.50	0.50	0.50	0.50	100.00	100.00								1.00	10

1QWW

Sample and source description: 1QWW

Sample date: 02/22/2023 Material type: Process wastewater Source of analysis: Lab analysis pH:

	Kjeldahl-N (mg/L)	NH4-N (mg/L)	NH3-N (mg/L)	Nitrate-N (mg/L)	Total P (mg/L)	Total K (mg/L)	Calcium (mg/L)	Magnes. (mg/L)	Sodium (mg/L)	Bicarb. (mg/L)	Carb. (mg/L)	Sulfate (mg/L)	Chloride (mg/L)	EC (µmhos/cm)	TDS (mg/L)
Value	750.00	414.00	0.00	0.00	53.20	631.00								8,090.00	6,340
DL	0.50	0.50	0.50	0.50	0.50	0.50								1.00	10

2QWW

Sample and source description: 2QWW

Sample date: 04/11/2023 Material type: Process wastewater Source of analysis: Lab analysis pH:

	Kjeldahl-N (mg/L)	NH4-N (mg/L)	NH3-N (mg/L)	Nitrate-N (mg/L)	Total P (mg/L)	Total K (mg/L)	Calcium (mg/L)	Magnes. (mg/L)	Sodium (mg/L)	Bicarb. (mg/L)	Carb. (mg/L)	Sulfate (mg/L)	Chloride (mg/L)	EC (µmhos/cm)	TDS (mg/L)
Value	546.00	286.00	0.00	0.00	54.40	586.00								4,860.00	4,080
DL	0.50	0.50	0.50	0.50	0.50	0.50								1.00	10

3QWW

Sample and source description: 3QWW

Sample date: 07/25/2023 Material type: Process wastewater Source of analysis: Lab analysis pH:

	Kjeldahl-N (mg/L)	NH4-N (mg/L)	NH3-N (mg/L)	Nitrate-N (mg/L)	Total P (mg/L)	Total K (mg/L)	Calcium (mg/L)	Magnes. (mg/L)	Sodium (mg/L)	Bicarb. (mg/L)	Carb. (mg/L)	Sulfate (mg/L)	Chloride (mg/L)	EC (µmhos/cm)	TDS (mg/L)
Value	462.00	300.00	0.00	0.00	53.80	781.00								5,750.00	4,020
DL	0.50	0.50	0.50	0.50	0.50	0.50								1.00	10

Slurry

Sample and source description: Slurry

Sample date: 10/04/2023 Material type: Process wastewater sludge Source of analysis: Lab analysis pH:

	Kjeldahl-N (mg/L)	NH4-N (mg/L)	NH3-N (mg/L)	Nitrate-N (mg/L)	Total P (mg/L)	Total K (mg/L)	Calcium (mg/L)	Magnes. (mg/L)	Sodium (mg/L)	Bicarb. (mg/L)	Carb. (mg/L)	Sulfate (mg/L)	Chloride (mg/L)	EC (µmhos/cm)	TDS (mg/L)
Value	274.00	5.60	0.00	0.00	107.00	1,120.00								4,710.00	2,360
DL	0.50	0.50	0.50	0.50	0.50	0.50								1.00	10

Slurry

Sample and source description: Slurry

Sample date: 10/10/2023 Material type: Process wastewater sludge Source of analysis: Lab analysis pH:

	Kjeldahl-N (mg/L)	NH4-N (mg/L)	NH3-N (mg/L)	Nitrate-N (mg/L)	Total P (mg/L)	Total K (mg/L)	Calcium (mg/L)	Magnes. (mg/L)	Sodium (mg/L)	Bicarb. (mg/L)	Carb. (mg/L)	Sulfate (mg/L)	Chloride (mg/L)	EC (µmhos/cm)	TDS (mg/L)
Value	594.00	84.00	0.00	0.00	107.00	799.00								5,930.00	3,680
DL	0.50	0.50	0.50	0.50	0.50	0.50								1.00	10

4QWW

Sample and source description: 4QWW

Sample date: 10/31/2023 Material type: Process wastewater Source of analysis: Lab analysis pH:

	Kjeldahl-N (mg/L)	NH4-N (mg/L)	NH3-N (mg/L)	Nitrate-N (mg/L)	Total P (mg/L)	Total K (mg/L)	Calcium (mg/L)	Magnes. (mg/L)	Sodium (mg/L)	Bicarb. (mg/L)	Carb. (mg/L)	Sulfate (mg/L)	Chloride (mg/L)	EC (µmhos/cm)	TDS (mg/L)
Value	871.00	546.00	0.00	0.00	55.40	1,050.00								8,100.00	6,220
DL	0.50	0.50	0.50	0.50	0.50	0.50								1.00	10

C. FRESH WATER ANALYSES

IW Cherokee 50

Fresh Water

Sample description: Fresh Water

Sample date: 09/27/2023 Source of analysis: Lab analysis

	Total N (mg/L)	NH4-N (mg/L)	Nitrate-N (mg/L)	Calcium (mg/L)	Magnesium (mg/L)	Sodium (mg/L)	Bicarbonate (mg/L)	Carbonate (mg/L)	Sulfate (mg/L)	Chloride (mg/L)	EC (µmhos/cm)	TDS (mg/L)
Value	1.38	0.00	1.20								241.00	193
DL	0.50	0.50	0.50								1.00	10

IW Cherokee 80

IW Cherokee 80

Fresh Water

Sample description: Fresh Water

Sample date: 09/27/2023 Source of analysis: Lab analysis

	Total N (mg/L)	NH4-N (mg/L)	Nitrate-N (mg/L)	Calcium (mg/L)	Magnesium (mg/L)	Sodium (mg/L)	Bicarbonate (mg/L)	Carbonate (mg/L)	Sulfate (mg/L)	Chloride (mg/L)	EC (µmhos/cm)	TDS (mg/L)
Value	1.50	0.00	1.50								236.00	177
DL	0.50	0.50	0.50								1.00	10

IW Davids

Fresh Water

Sample description: Fresh Water

Sample date: 09/27/2023 Source of analysis: Lab analysis

	Total N (mg/L)	NH4-N (mg/L)	Nitrate-N (mg/L)	Calcium (mg/L)	Magnesium (mg/L)	Sodium (mg/L)	Bicarbonate (mg/L)	Carbonate (mg/L)	Sulfate (mg/L)	Chloride (mg/L)	EC (µmhos/cm)	TDS (mg/L)
Value	1.10	0.00	1.10								228.00	190
DL	0.50	0.50	0.50								1.00	10

IW Gomes

Fresh Water

Sample description: Fresh Water

Sample date: 09/27/2023 Source of analysis: Lab analysis

	Total N (mg/L)	NH4-N (mg/L)	Nitrate-N (mg/L)	Calcium (mg/L)	Magnesium (mg/L)	Sodium (mg/L)	Bicarbonate (mg/L)	Carbonate (mg/L)	Sulfate (mg/L)	Chloride (mg/L)	EC (µmhos/cm)	TDS (mg/L)
Value	1.24	0.00	1.20								229.00	170
DL	0.50	0.50	0.50								1.00	10

IW Grape

IW Grape

Fresh Water

Sample description: Fresh Water

Sample date: 09/27/2023 Source of analysis: Lab analysis

	Total N (mg/L)	NH4-N (mg/L)	Nitrate-N (mg/L)	Calcium (mg/L)	Magnesium (mg/L)	Sodium (mg/L)	Bicarbonate (mg/L)	Carbonate (mg/L)	Sulfate (mg/L)	Chloride (mg/L)	EC (µmhos/cm)	TDS (mg/L)
Value	3.37	0.00	3.37								315.00	233
DL	0.50	0.50	0.50								1.00	10

IW Harold 50

Fresh Water

Sample description: Fresh Water

Sample date: 09/27/2023 Source of analysis: Lab analysis

	Total N (mg/L)	NH4-N (mg/L)	Nitrate-N (mg/L)	Calcium (mg/L)	Magnesium (mg/L)	Sodium (mg/L)	Bicarbonate (mg/L)	Carbonate (mg/L)	Sulfate (mg/L)	Chloride (mg/L)	EC (µmhos/cm)	TDS (mg/L)
Value	2.31	0.00	2.30								271.00	197
DL	0.50	0.50	0.50								1.00	10

IW Harold New

Fresh Water

Sample description: Fresh Water

Sample date: 09/27/2023 Source of analysis: Lab analysis

	Total N (mg/L)	NH4-N (mg/L)	Nitrate-N (mg/L)	Calcium (mg/L)	Magnesium (mg/L)	Sodium (mg/L)	Bicarbonate (mg/L)	Carbonate (mg/L)	Sulfate (mg/L)	Chloride (mg/L)	EC (µmhos/cm)	TDS (mg/L)
Value	2.01	0.00	1.80								0.00	190
DL	0.50	0.50	0.50								1.00	10

IW Hog Ranch

IW Hog Ranch

Fresh Water

Sample description: Fresh Water

Sample date: 09/27/2023 Source of analysis: Lab analysis

	Total N (mg/L)	NH4-N (mg/L)	Nitrate-N (mg/L)	Calcium (mg/L)	Magnesium (mg/L)	Sodium (mg/L)	Bicarbonate (mg/L)	Carbonate (mg/L)	Sulfate (mg/L)	Chloride (mg/L)	EC (µmhos/cm)	TDS (mg/L)
Value	3.54	0.00	3.50								319.00	233
DL	0.50	0.50	0.50								1.00	10

IW School

Fresh Water

Sample description: Fresh Water

Sample date: 09/27/2023 Source of analysis: Lab analysis

	Total N (mg/L)	NH4-N (mg/L)	Nitrate-N (mg/L)	Calcium (mg/L)	Magnesium (mg/L)	Sodium (mg/L)	Bicarbonate (mg/L)	Carbonate (mg/L)	Sulfate (mg/L)	Chloride (mg/L)	EC (µmhos/cm)	TDS (mg/L)
Value	4.67	0.00	4.50								374.00	253
DL	0.50	0.50	0.50								1.00	10

IW Sowles 30

Fresh Water

Sample description: Fresh Water

Sample date: 09/27/2023 Source of analysis: Lab analysis

	Total N (mg/L)	NH4-N (mg/L)	Nitrate-N (mg/L)	Calcium (mg/L)	Magnesium (mg/L)	Sodium (mg/L)	Bicarbonate (mg/L)	Carbonate (mg/L)	Sulfate (mg/L)	Chloride (mg/L)	EC (µmhos/cm)	TDS (mg/L)
Value	1.82	0.00	1.60								245.00	190
DL	0.50	0.50	0.50								1.00	10

IW Sowles 50

IW Sowles 50

Fresh Water

Sample description: Fresh Water

Sample date: 09/27/2023 Source of analysis: Lab analysis

	Total N (mg/L)	NH4-N (mg/L)	Nitrate-N (mg/L)	Calcium (mg/L)	Magnesium (mg/L)	Sodium (mg/L)	Bicarbonate (mg/L)	Carbonate (mg/L)	Sulfate (mg/L)	Chloride (mg/L)	EC (µmhos/cm)	TDS (mg/L)
Value	1.67	0.00	1.50								241.00	187
DL	0.50	0.50	0.50								1.00	10

IW Virtue 50

Fresh Water

Sample description: Fresh Water

Sample date: 09/27/2023 Source of analysis: Lab analysis

	Total N (mg/L)	NH4-N (mg/L)	Nitrate-N (mg/L)	Calcium (mg/L)	Magnesium (mg/L)	Sodium (mg/L)	Bicarbonate (mg/L)	Carbonate (mg/L)	Sulfate (mg/L)	Chloride (mg/L)	EC (µmhos/cm)	TDS (mg/L)
Value	1.52	0.00	1.50								242.00	187
DL	0.50	0.50	0.50								1.00	10

IW Virtue 75

Fresh Water

Sample description: Fresh Water

Sample date: 09/27/2023 Source of analysis: Lab analysis

	Total N (mg/L)	NH4-N (mg/L)	Nitrate-N (mg/L)	Calcium (mg/L)	Magnesium (mg/L)	Sodium (mg/L)	Bicarbonate (mg/L)	Carbonate (mg/L)	Sulfate (mg/L)	Chloride (mg/L)	EC (µmhos/cm)	TDS (mg/L)
Value	1.61	0.00	1.50								242.00	183
DL	0.50	0.50	0.50								1.00	10

IW West

IW West

Fresh Water

Sample description: Fresh Water

Sample date: 09/27/2023 Source of analysis: Lab analysis

	Total N (mg/L)	NH4-N (mg/L)	Nitrate-N (mg/L)	Calcium (mg/L)	Magnesium (mg/L)	Sodium (mg/L)	Bicarbonate (mg/L)	Carbonate (mg/L)	Sulfate (mg/L)	Chloride (mg/L)	EC (µmhos/cm)	TDS (mg/L)
Value	2.05	0.00	1.90								254.00	197
DL	0.50	0.50	0.50								1.00	10

IW Woods

Fresh Water

Sample description: Fresh Water

Sample date: 09/27/2023 Source of analysis: Lab analysis

	Total N (mg/L)	NH4-N (mg/L)	Nitrate-N (mg/L)	Calcium (mg/L)	Magnesium (mg/L)	Sodium (mg/L)	Bicarbonate (mg/L)	Carbonate (mg/L)	Sulfate (mg/L)	Chloride (mg/L)	EC (µmhos/cm)	TDS (mg/L)
Value	1.45	0.00	1.40								245.00	183
DL	0.50	0.50	0.50								1.00	10

D. SOIL ANALYSES

cherrokee 40 acre

Soils

Sample and source description: Soils

Sample date: 10/24/2023 Source of analysis: Lab analysis

	Nitrate-N (mg/kg)	Total P (mg/kg)	Soluble P (mg/kg)	K (mg/kg)	EC (µmhos/cm)	Organic matter (%)	Total salt (mg/kg)
Value			88.00				
DL			4.00				

Cherrokee 80 acre

Soils

Sample and source description: Soils

Sample date: 10/24/2023 Source of analysis: Lab analysis

	Nitrate-N (mg/kg)	Total P (mg/kg)	Soluble P (mg/kg)	K (mg/kg)	EC (µmhos/cm)	Organic matter (%)	Total salt (mg/kg)
Value			108.00				
DL			4.00				

Eric's

Soils

Sample and source description: Soils

Sample date: 10/24/2023 Source of analysis: Lab analysis

	Nitrate-N (mg/kg)	Total P (mg/kg)	Soluble P (mg/kg)	K (mg/kg)	EC (µmhos/cm)	Organic matter (%)	Total salt (mg/kg)
Value			75.00				
DL			4.00				

Ferguson 1

Soils

Sample and source description: Soils

Sample date: 10/24/2023 Source of analysis: Lab analysis

	Nitrate-N (mg/kg)	Total P (mg/kg)	Soluble P (mg/kg)	K (mg/kg)	EC (µmhos/cm)	Organic matter (%)	Total salt (mg/kg)
Value			43.00				
DL			4.00				

Gomes

Gomes

Soils

Sample and source description: Soils

Sample date: 10/24/2023 Source of analysis: Lab analysis

	Nitrate-N (mg/kg)	Total P (mg/kg)	Soluble P (mg/kg)	K (mg/kg)	EC (µmhos/cm)	Organic matter (%)	Total salt (mg/kg)
Value			73.00				
DL			4.00				

Grape

Soils

Sample and source description: Soils

Sample date: 10/24/2023 Source of analysis: Lab analysis

	Nitrate-N (mg/kg)	Total P (mg/kg)	Soluble P (mg/kg)	K (mg/kg)	EC (µmhos/cm)	Organic matter (%)	Total salt (mg/kg)
Value			126.00				
DL			4.00				

Harold Rd

Soils

Sample and source description: Soils

Sample date: 10/24/2023 Source of analysis: Lab analysis

	Nitrate-N (mg/kg)	Total P (mg/kg)	Soluble P (mg/kg)	K (mg/kg)	EC (µmhos/cm)	Organic matter (%)	Total salt (mg/kg)
Value			60.00				
DL			4.00				

Hog Ranch

Hog Ranch

Soils

Sample and source description: Soils

Sample date: 10/24/2023 Source of analysis: Lab analysis

	Nitrate-N (mg/kg)	Total P (mg/kg)	Soluble P (mg/kg)	K (mg/kg)	EC (µmhos/cm)	Organic matter (%)	Total salt (mg/kg)
Value			94.00				
DL			4.00				

McVey 40 acres

Soils

Sample and source description: Soils

Sample date: 10/24/2023 Source of analysis: Lab analysis

	Nitrate-N (mg/kg)	Total P (mg/kg)	Soluble P (mg/kg)	K (mg/kg)	EC (µmhos/cm)	Organic matter (%)	Total salt (mg/kg)
Value			121.00				
DL			4.00				

New House

Soils

Sample and source description: Soils

Sample date: 10/24/2023 Source of analysis: Lab analysis

	Nitrate-N (mg/kg)	Total P (mg/kg)	Soluble P (mg/kg)	K (mg/kg)	EC (µmhos/cm)	Organic matter (%)	Total salt (mg/kg)
Value			108.00				
DL			4.00				

School

School

Soils

Sample and source description: Soils

Sample date: 10/24/2023 Source of analysis: Lab analysis

	Nitrate-N (mg/kg)	Total P (mg/kg)	Soluble P (mg/kg)	K (mg/kg)	EC (µmhos/cm)	Organic matter (%)	Total salt (mg/kg)
Value			115.00				
DL			4.00				

Solwes Lower

Soils

Sample and source description: Soils

Sample date: 10/24/2023 Source of analysis: Lab analysis

	Nitrate-N (mg/kg)	Total P (mg/kg)	Soluble P (mg/kg)	K (mg/kg)	EC (µmhos/cm)	Organic matter (%)	Total salt (mg/kg)
Value			108.00				
DL			4.00				

Sowles Upper

Soils

Sample and source description: Soils

Sample date: 10/24/2023 Source of analysis: Lab analysis

	Nitrate-N (mg/kg)	Total P (mg/kg)	Soluble P (mg/kg)	K (mg/kg)	EC (µmhos/cm)	Organic matter (%)	Total salt (mg/kg)
Value			51.00				
DL			4.00				

Swingle

Swingle

Soils

Sample and source description: Soils

Sample date: 10/24/2023 Source of analysis: Lab analysis

	Nitrate-N (mg/kg)	Total P (mg/kg)	Soluble P (mg/kg)	K (mg/kg)	EC (µmhos/cm)	Organic matter (%)	Total salt (mg/kg)
Value			71.00				
DL			4.00				

Virtue Place

Soils

Sample and source description: Soils

Sample date: 10/24/2023 Source of analysis: Lab analysis

	Nitrate-N (mg/kg)	Total P (mg/kg)	Soluble P (mg/kg)	K (mg/kg)	EC (µmhos/cm)	Organic matter (%)	Total salt (mg/kg)
Value			43.00				
DL			4.00				

West

Soils

Sample and source description: Soils

Sample date: 10/24/2023 Source of analysis: Lab analysis

	Nitrate-N (mg/kg)	Total P (mg/kg)	Soluble P (mg/kg)	K (mg/kg)	EC (µmhos/cm)	Organic matter (%)	Total salt (mg/kg)
Value			104.00				
DL			4.00				

Woods

Woods

Soils

Sample and source description: Soils

Sample date: 10/24/2023 Source of analysis: Lab analysis

	Nitrate-N (mg/kg)	Total P (mg/kg)	Soluble P (mg/kg)	K (mg/kg)	EC (µmhos/cm)	Organic matter (%)	Total salt (mg/kg)
Value			82.00				
DL			4.00				

E. PLANT TISSUE ANALYSES

cherrokee 40 acre - 10/23/2022: Oats, silage-soft dough

Forage

Sample and source description: Forage

Sample date: 05/03/2023 Source of analysis: Lab analysis Method of reporting: As-is

Moisture: 70.0 %

	Total N (mg/kg)	Total P (mg/kg)	Total K (mg/kg)	Total salt (mg/kg)	TFS (%)
Value	3,820.00	880.00	7,380.00		10.10
DL	100.00	100.00	100.00		0.01

cherrokee 40 acre - 06/13/2023: Corn, silage

Corn Silage

Sample and source description: Corn Silage

Sample date: 10/10/2023 Source of analysis: Lab analysis Method of reporting: As-is

Moisture: 60.2 %

	Total N (mg/kg)	Total P (mg/kg)	Total K (mg/kg)	Total salt (mg/kg)	TFS (%)
Value	3,340.00	580.00	2,400.00		5.60
DL	100.00	100.00	100.00		0.01

Eric's - 10/23/2022: Oats, silage-soft dough

Forage

Sample and source description: Forage

Sample date: 05/03/2023 Source of analysis: Lab analysis Method of reporting: As-is

Moisture: 74.6 %

	Total N (mg/kg)	Total P (mg/kg)	Total K (mg/kg)	Total salt (mg/kg)	TFS (%)
Value	3,370.00	740.00	5,660.00		9.99
DL	100.00	100.00	100.00		0.01

Eric's - 06/03/2023: Corn, silage

Corn Silage

Sample and source description: Corn Silage

Sample date: 09/25/2023 Source of analysis: Lab analysis Method of reporting: As-is

Moisture: 70.8 %

	Total N (mg/kg)	Total P (mg/kg)	Total K (mg/kg)	Total salt (mg/kg)	TFS (%)
Value	3,040.00	900.00	3,390.00		6.30
DL	100.00	100.00	100.00		0.01

Ferguson 1 - 10/22/2022: Oats, silage-soft dough

Forage

Sample and source description: Forage

Sample date: 05/03/2023 Source of analysis: Lab analysis Method of reporting: As-is

Moisture: 70.0 %

	Total N (mg/kg)	Total P (mg/kg)	Total K (mg/kg)	Total salt (mg/kg)	TFS (%)
Value	3,090.00	570.00	4,670.00		8.48
DL	100.00	100.00	100.00		0.01

Gomes - 10/23/2022: Oats, silage-soft dough

Forage

Sample and source description: Forage

Sample date: 05/03/2023 Source of analysis: Lab analysis Method of reporting: As-is

Moisture: 77.2 %

	Total N (mg/kg)	Total P (mg/kg)	Total K (mg/kg)	Total salt (mg/kg)	TFS (%)
Value	3,200.00	570.00	4,910.00		10.60
DL	100.00	100.00	100.00		0.01

Gomes - 06/03/2023: Corn, silage

Corn Silage

Sample and source description: Corn Silage

Sample date: 09/25/2023 Source of analysis: Lab analysis Method of reporting: As-is

Moisture: 70.2 %

	Total N (mg/kg)	Total P (mg/kg)	Total K (mg/kg)	Total salt (mg/kg)	TFS (%)
Value	3,160.00	820.00	3,240.00		5.10
DL	100.00	100.00	100.00		0.01

Grape - 10/15/2022: Oats, silage-soft dough

Forage

Sample and source description: Forage

Sample date: 05/03/2023 Source of analysis: Lab analysis Method of reporting: As-is

Moisture: 75.2 %

	Total N (mg/kg)	Total P (mg/kg)	Total K (mg/kg)	Total salt (mg/kg)	TFS (%)
Value	3,120.00	680.00	5,700.00		12.00
DL	100.00	100.00	100.00		0.01

Grape - 06/22/2023: Corn, silage

Corn Silage

Sample and source description: Corn Silage

Sample date: 10/17/2023 Source of analysis: Lab analysis Method of reporting: As-is

Moisture: 70.0 %

	Total N (mg/kg)	Total P (mg/kg)	Total K (mg/kg)	Total salt (mg/kg)	TFS (%)
Value	3,420.00	420.00	5,990.00		6.10
DL	100.00	100.00	100.00		0.01

Harold Rd - 10/13/2022: Oats, silage-soft dough

Forage

Sample and source description: Forage

Sample date: 04/26/2023 Source of analysis: Lab analysis Method of reporting: As-is

Moisture: 78.0 %

	Total N (mg/kg)	Total P (mg/kg)	Total K (mg/kg)	Total salt (mg/kg)	TFS (%)
Value	3,860.00	630.00	6,640.00		10.30
DL	100.00	100.00	100.00		0.01

Harold Rd - 06/10/2023: Corn, silage

Corn Silage

Sample and source description: Corn Silage

Sample date: 10/04/2023 Source of analysis: Lab analysis Method of reporting: As-is

Moisture: 70.6 %

	Total N (mg/kg)	Total P (mg/kg)	Total K (mg/kg)	Total salt (mg/kg)	TFS (%)
Value	3,000.00	510.00	3,620.00		5.20
DL	100.00	100.00	100.00		0.01

Hog Ranch - 10/19/2022: Oats, silage-soft dough

Forage

Sample and source description: Forage

Sample date: 04/18/2023 Source of analysis: Lab analysis Method of reporting: As-is

Moisture: 60.0 %

	Total N (mg/kg)	Total P (mg/kg)	Total K (mg/kg)	Total salt (mg/kg)	TFS (%)
Value	5,960.00	1,960.00	28,000.00		12.70
DL	100.00	100.00	100.00		0.01

Hog Ranch - 06/13/2023: Corn, silage

Corn Silage

Sample and source description: Corn Silage

Sample date: 10/10/2023 Source of analysis: Lab analysis Method of reporting: As-is

Moisture: 71.8 %

	Total N (mg/kg)	Total P (mg/kg)	Total K (mg/kg)	Total salt (mg/kg)	TFS (%)
Value	3,610.00	580.00	3,630.00		5.90
DL	100.00	100.00	100.00		0.01

McVey 40 acres - 10/18/2022: Oats, silage-soft dough

Forage

Sample and source description: Forage

Sample date: 04/18/2023 Source of analysis: Lab analysis Method of reporting: As-is

Moisture: 72.6 %

	Total N (mg/kg)	Total P (mg/kg)	Total K (mg/kg)	Total salt (mg/kg)	TFS (%)
Value	5,230.00	1,400.00	20,400.00		12.50
DL	100.00	100.00	100.00		0.01

New House - 10/02/2022: Oats, silage-soft dough

Forage

Sample and source description: Forage

Sample date: 04/18/2023 Source of analysis: Lab analysis Method of reporting: As-is

Moisture: 61.2 %

	Total N (mg/kg)	Total P (mg/kg)	Total K (mg/kg)	Total salt (mg/kg)	TFS (%)
Value	4,730.00	1,400.00	21,800.00		10.40
DL	100.00	100.00	100.00		0.01

New House - 06/23/2023: Corn, silage

Corn Silage

Sample and source description: Corn Silage

Sample date: 10/17/2023 Source of analysis: Lab analysis Method of reporting: As-is

Moisture: 70.0 %

	Total N (mg/kg)	Total P (mg/kg)	Total K (mg/kg)	Total salt (mg/kg)	TFS (%)
Value	3,630.00	380.00	5,650.00		7.30
DL	100.00	100.00	100.00		0.01

School - 10/21/2022: Oats, silage-soft dough

Forage

Sample and source description: Forage

Sample date: 04/18/2023 Source of analysis: Lab analysis Method of reporting: As-is

Moisture: 61.2 %

	Total N (mg/kg)	Total P (mg/kg)	Total K (mg/kg)	Total salt (mg/kg)	TFS (%)
Value	4,730.00	1,400.00	21,800.00		10.40
DL	100.00	100.00	100.00		0.01

School - 06/23/2023: Corn, silage

Corn Silage

Sample and source description: Corn Silage

Sample date: 10/17/2023 Source of analysis: Lab analysis Method of reporting: As-is

Moisture: 70.0 %

	Total N (mg/kg)	Total P (mg/kg)	Total K (mg/kg)	Total salt (mg/kg)	TFS (%)
Value	3,690.00	420.00	5,560.00		7.00
DL	100.00	100.00	100.00		0.01

Solwes Lower - 10/20/2022: Oats, silage-soft dough

Forage

Sample and source description: Forage

Sample date: 05/03/2023 Source of analysis: Lab analysis Method of reporting: As-is

Moisture: 78.2 %

	Total N (mg/kg)	Total P (mg/kg)	Total K (mg/kg)	Total salt (mg/kg)	TFS (%)
Value	3,130.00	490.00	4,240.00		9.21
DL	100.00	100.00	100.00		0.01

Solwes Lower - 06/03/2023: Corn, silage

Corn Silage

Sample and source description: Corn Silage

Sample date: 09/25/2023 Source of analysis: Lab analysis Method of reporting: As-is

Moisture: 65.8 %

	Total N (mg/kg)	Total P (mg/kg)	Total K (mg/kg)	Total salt (mg/kg)	TFS (%)
Value	2,870.00	1,060.00	3,940.00		7.40
DL	100.00	100.00	100.00		0.01

Sowles Upper - 10/20/2022: Oats, silage-soft dough

Forage

Sample and source description: Forage

Sample date: 05/03/2023 Source of analysis: Lab analysis Method of reporting: As-is

Moisture: 78.6 %

	Total N (mg/kg)	Total P (mg/kg)	Total K (mg/kg)	Total salt (mg/kg)	TFS (%)
Value	3,610.00	510.00	4,390.00		9.95
DL	100.00	100.00	100.00		0.01

Sowles Upper - 06/03/2023: Corn, silage

Corn Silage

Sample and source description: Corn Silage

Sample date: 09/25/2023 Source of analysis: Lab analysis Method of reporting: As-is

Moisture: 65.2 %

	Total N (mg/kg)	Total P (mg/kg)	Total K (mg/kg)	Total salt (mg/kg)	TFS (%)
Value	3,310.00	1,190.00	3,540.00		7.20
DL	100.00	100.00	100.00		0.01

Swingle - 10/17/2022: Oats, silage-soft dough

Forage

Sample and source description: Forage

Sample date: 05/03/2023 Source of analysis: Lab analysis Method of reporting: As-is

Moisture: 78.6 %

	Total N (mg/kg)	Total P (mg/kg)	Total K (mg/kg)	Total salt (mg/kg)	TFS (%)
Value	3,000.00	600.00	4,810.00		10.80
DL	100.00	100.00	100.00		0.01

Swingle - 06/24/2023: Corn, silage

Corn Silage

Sample and source description: Corn Silage

Sample date: 10/23/2023 Source of analysis: Lab analysis Method of reporting: As-is

Moisture: 70.0 %

	Total N (mg/kg)	Total P (mg/kg)	Total K (mg/kg)	Total salt (mg/kg)	TFS (%)
Value	3,450.00	790.00	5,660.00		7.60
DL	100.00	100.00	100.00		0.01

Virtue Place - 10/17/2022: Oats, silage-soft dough

Forage

Sample and source description: Forage

Sample date: 05/03/2023 Source of analysis: Lab analysis Method of reporting: As-is

Moisture: 66.8 %

	Total N (mg/kg)	Total P (mg/kg)	Total K (mg/kg)	Total salt (mg/kg)	TFS (%)
Value	4,050.00	790.00	5,240.00		8.37
DL	100.00	100.00	100.00		0.01

Virtue Place - 06/14/2023: Corn, silage

Corn Silage

Sample and source description: Corn Silage

Sample date: 10/10/2023 Source of analysis: Lab analysis Method of reporting: As-is

Moisture: 67.2 %

	Total N (mg/kg)	Total P (mg/kg)	Total K (mg/kg)	Total salt (mg/kg)	TFS (%)
Value	3,610.00	470.00	2,060.00		5.60
DL	100.00	100.00	100.00		0.01

West - 10/22/2022: Oats, silage-soft dough

Forage

Sample and source description: Forage

Sample date: 04/18/2023 Source of analysis: Lab analysis Method of reporting: As-is

Moisture: 79.8 %

	Total N (mg/kg)	Total P (mg/kg)	Total K (mg/kg)	Total salt (mg/kg)	TFS (%)
Value	5,700.00	1,560.00	17,200.00		15.50
DL	100.00	100.00	100.00		0.01

West - 06/24/2023: Corn, silage

Corn Silage

Sample and source description: Corn Silage

Sample date: 10/23/2023 Source of analysis: Lab analysis Method of reporting: As-is

Moisture: 67.2 %

	Total N (mg/kg)	Total P (mg/kg)	Total K (mg/kg)	Total salt (mg/kg)	TFS (%)
Value	3,770.00	770.00	5,010.00		7.10
DL	100.00	100.00	100.00		0.01

F. SUBSURFACE (TILE) DRAINAGE ANALYSES

No subsurface (tile) drainage analyses entered.

NUTRIENT APPLICATIONS, POTENTIAL REMOVAL, AND BALANCE

A. SUMMARY OF NUTRIENT APPLICATIONS, POTENTIAL REMOVAL, AND BALANCE

	Total N (lbs)	Total P (lbs)	Total K (lbs)	Total salt (lbs)
Existing soil nutrient content	0.00	0.00	0.00	0.00
Plowdown credit	0.00	0.00	0.00	0.00
Commercial fertilizer / Other	5,560.00	0.00	0.00	0.00
Dry manure	196,123.69	54,690.60	483,033.21	10,119,772.28
Process wastewater	110,081.40	14,659.29	166,947.90	923,040.45
Fresh water	11,963.85	0.00	0.00	1,188,099.34
Atmospheric deposition	12,852.00	0.00	0.00	0.00
Total nutrients applied	336,580.94	69,349.89	649,981.11	12,230,912.07
Anticipated crop nutrient removal	350,880.00	55,348.40	281,029.60	0.00
Actual crop nutrient removal	297,242.64	52,535.35	409,875.65	1,427,431.70
Nutrient balance	39,338.30	16,814.55	240,105.46	10,803,480.37
Applied to removed ratio	1.13	1.32	1.59	8.57

B. POUNDS OF NUTRIENT APPLIED VS. CROP REMOVAL

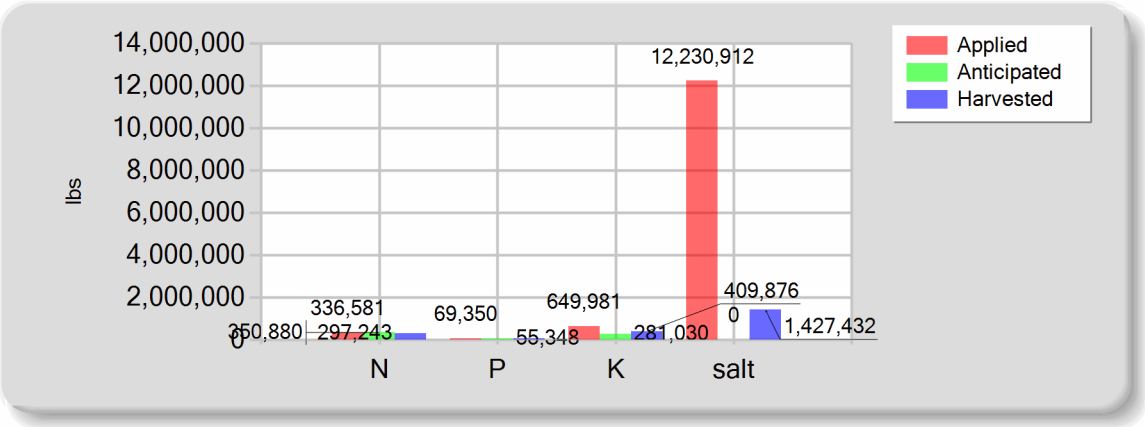

C. POUNDS OF NUTRIENT APPLIED BY MATERIAL TYPE

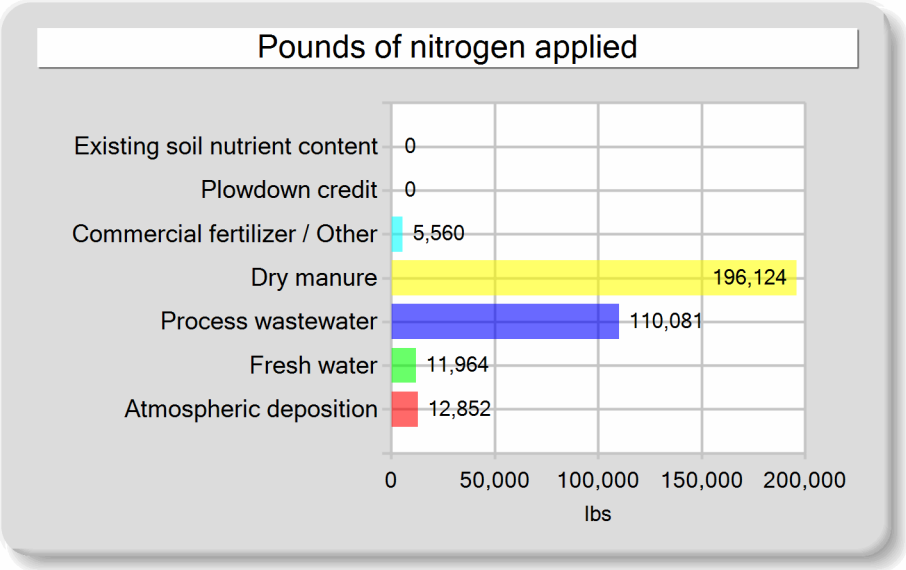

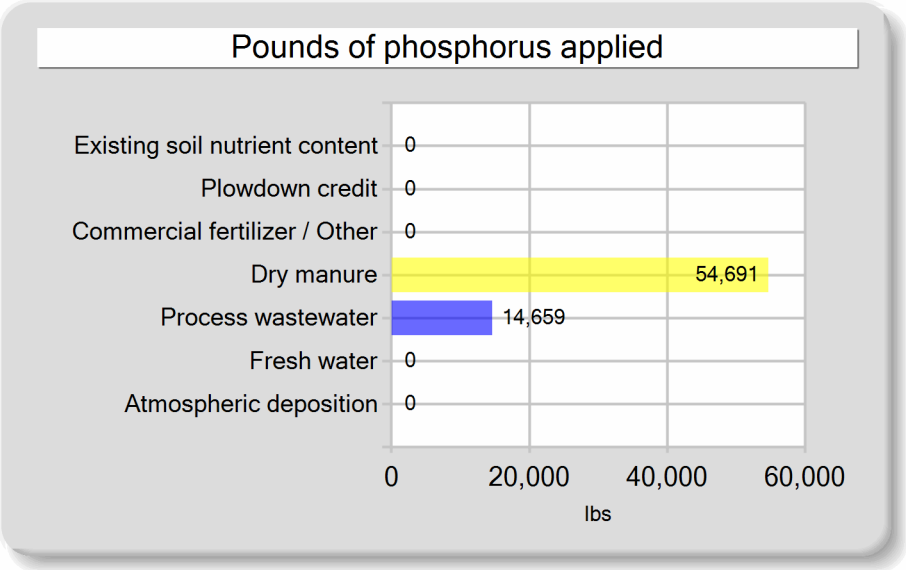

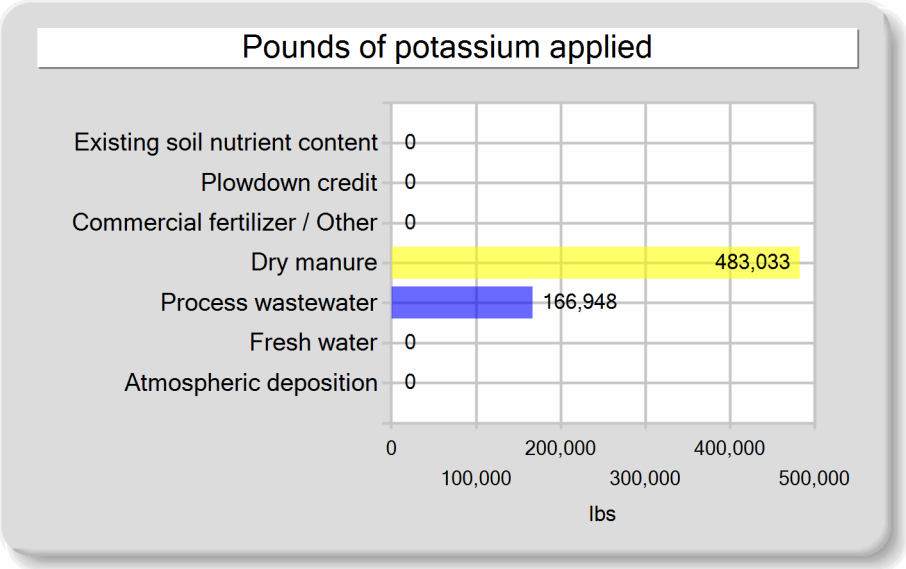

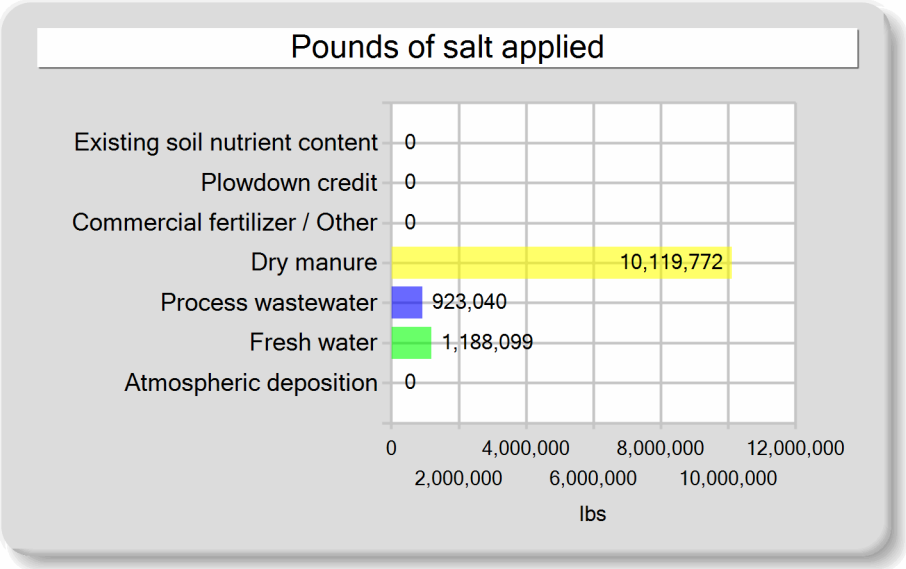

EXCEPTION REPORTING

A. MANURE, PROCESS WASTEWATER, AND OTHER DAIRY WASTE DISCHARGES

The following is a summary of all manure and process wastewater discharges from the production area to surface water or to land areas (land application areas or otherwise) when not in accordance with the facility's Nutrient Management Plan.

No manure or process wastewater discharges occurred during the reporting period.

B. STORM WATER DISCHARGES

The following is a summary of all storm water discharges from the production area to surface water during the reporting period when not in accordance with the facility 's Nutrient Management Plan.

No stormwater discharges occurred during the reporting period.

C. LAND APPLICATION AREA TO SURFACE WATER DISCHARGES

The following is a summary of all discharges from the land application area to surface water that have occurred during the reporting period when not in accordance with the facility's Nutrient Management Plan.

No land application area to surface water discharges occurred during the reporting period.

NUTRIENT MANAGEMENT PLAN AND EXPORT AGREEMENT STATEMENTS

A. NUTRIENT MANAGEMENT PLAN STATEMENTS

Was the facility's NMP updated in the reporting period?	Yes
Was the facility's NMP developed by a certified nutrient management planner (specialist) as specified in Attachment C of the General Order?	Yes
Was the facility's NMP approved by a certified nutrient management planner (specialist) as specified in Attachment C of the General Order?	Yes

B. EXPORT AGREEMENT STATEMENT

Are there any written agreements with third parties to receive manure or process wastewater that are new or were revised within the reporting period?	No

ADDITIONAL NOTES

A. NOTES

Field Ferguson 1 Oat Silage (1.52) Field Sowles Lower Oat silage (1.45) had high nitrogen field ratios as crops failed to meet anticipated nitrogen removals of 160 pounds/acre. The subject fields removed 101 and 104.5 pounds respectively. Yield for the subject fields were adequate however low nitrogen values from the
plant tissue lab analysis resulted in 6.18 and 6.26 pounds of nitrogen removed per harvested ton compared to the anticipated 10 pounds of nitrogen per harvested
ton which resulted in the high nitrogen field ratios. Nitrogen application to the subject fields was not considered excessive but in line with that recommended in the dairy's nutrient management plan.

Field Sowles Lower corn silage (1.47) had a high nitrogen field ratio as crop failed to meet anticipated nitrogen removal of 224 pounds/acre. The subject field removed only 157.9 pounds of nitrogen/acre. Yield for the field was adequate however a low nitrogen value from the plant tissue lab analysis resulted in only 5.74 pounds of nitrogen removed per harvested ton compared to the anticipated 8 pounds of nitrogen per harvested ton which ultimately led to the high nitrogen field ratio. Nitrogen application to the subject field was not considered excessive but in line with that recommended in the dairy's nutrient management plan.

CERTIFICATION

A. OWNER AND/OR OPERATOR CERTIFICATION

I certify under penalty of law that I have personally examined and am familiar with the information submitted in this document and all attachments and that, based on my inquiry of those individuals immediately responsible for obtaining the information, I believe that the information is true, accurate, and complete. I am aware that there are significant penalties for submitting false information, including the possibility of fine and imprisonment.

Eric dewit (Jun 19, 2024 09:21 PDT)

SIGNATURE OF OWNER OF FACILITY	SIGNATURE OF OPERATOR OF FACILITY
Eric Dewit	SAME AS OWNER
PRINT OR TYPE NAME	PRINT OR TYPE NAME
Jun 19, 2024	
DATE	DATE

ATTACHMENTS

A. REQUIRED ATTACHMENTS

The following lists the required documents that should be attached to the Annual Report when submitted .

Annual Dairy Facility Assessment
Provide an Annual Dairy Facility Assessment (an update to the Preliminary Dairy Facility Assessment in Attachment A) for each reporting period. On the PDFA Final page, click on the ADFA Report button to generate an ADFA report after updating information as needed .

Manure/Process Wastewater Tracking Manifests
Provide copies of all manure/process wastewater tracking manifests for the reporting period, signed by both the owner/operator and the hauler.

Corrective Actions Documents
Provide records documenting any corrective actions taken to correct deficiencies noted as a result of the inspections required in the Monitoring Requirements of the General Order. Deficiencies not corrected in 30 days must be accompanied by an explanation of the factors preventing immediate correction.

Groundwater Monitoring
Dischargers that monitor supply wells or subsurface (tile) drainage systems, or that have monitoring well systems must submit monitoring results as directed in the General Order, Groundwater Reporting Section starting on page MRP-13.

Storm Water Monitoring
Dischargers that are required to monitor storm water more frequently than required in the General Order must submit monitoring results as directed in the General Order, Storm Water Reporting Section on page MRP-14.

DELLAVALLE™
LABORATORY INC

Dewit Dairy
26027 N Dustin Rd
Acampo, CA 95220

Account# 00-0026231
Account Manager: Scott Sakamoto
Submitted By: Jeanette Sawyer

Received: 09/28/2023 15:15
Reported: 10/04/2023 16:39

Samples in this Report

Lab ID	Sample	Matrix	Sampled By	Crop	Date Sampled
23I1836-01	IW Cherokee 40	Ag Water			09/27/2023 6:30
23I1836-02	IW Cherokee 80	Ag Water			09/27/2023 6:30
23I1836-03	IW Davids	Ag Water			09/27/2023 6:30
23I1836-04	IW Harold New	Ag Water			09/27/2023 6:30
23I1836-05	IW Harold 50	Ag Water			09/27/2023 6:30
23I1836-06	IW Hog Ranch	Ag Water			09/27/2023 6:30
23I1836-07	IW Gomes	Ag Water			09/27/2023 6:30
23I1836-08	IW Grape	Ag Water			09/27/2023 6:30
23I1836-09	IW School	Ag Water			09/27/2023 6:30
23I1836-10	IW Sowles 30	Ag Water			09/27/2023 6:30
23I1836-11	IW Sowles 50	Ag Water			09/27/2023 6:30
23I1836-12	IW Virtue 50	Ag Water			09/27/2023 6:30
23I1836-13	IW Virtue 75	Ag Water			09/27/2023 6:30
23I1836-14	IW West	Ag Water			09/27/2023 6:30
23I1836-15	IW Woods	Ag Water			09/27/2023 6:30

Default Cooler Temperature on Receipt °C: 5.9
Containers Intact
COC/Labels Agree

The results in this report apply to the samples as received and were analyzed in accordance with the chain of custody document. This analytical report must be reproduced in its entirety. All results listed in this report are for the exclusive use of the submitting party. Dellavalle Laboratory, Inc. assumes no responsibility for report alteration, separation, detachment or third party interpretation.

DELLAVALLE™
LABORATORY INC

Dewit Dairy
26027 N Dustin Rd
Acampo, CA 95220

Account# 00-0026231
Account Manager: Scott Sakamoto
Submitted By: Jeanette Sawyer

Received: 09/28/2023 15:15
Reported: 10/04/2023 16:39

Notes and Definitions

Item	Definition
H	Hold Time Exceeded
MCL	Drinking Water Maximum Contaminant Level
ND	Analyte NOT DETECTED at or above the reporting limit.
NES	Not Enough Sample
*	Not Taken
RPD	Relative Percent Difference
%REC	Percent Recovery
Source	Sample that was matrix spiked or duplicated.

Scott McFriedland

Laboratory Director/Technical Manager

ELAP Certification #1595
A2LA Certification #6440.02

The results in this report apply to the samples as received and were analyzed in accordance with the chain of custody document. This analytical report must be reproduced in its entirety. All results listed in this report are for the exclusive use of the submitting party. Dellavalle Laboratory, Inc. assumes no responsibility for report alteration, separation, detachment or third party interpretation.

DELLAVALLE™
LABORATORY INC

Dewit Dairy
26027 N Dustin Rd
Acampo, CA 95220

Account# 00-0026231
Account Manager: Scott Sakamoto
Submitted By: Jeanette Sawyer

Received: 09/28/2023 15:15
Reported: 10/04/2023 16:39

Sample Results

Sample: IW Cherokee 40
23I1836-01 (Water)

Sampled: 9/27/2023 6:30
Sampled By:

Analyte	Result	Units	Reporting Limit	DIL	DW MCL	Date/Time Analyzed	Method	Notes	Batch
Electrical Conductivity	**0.24**	mmhos/cm	0.01	1		09/29/23 13:20	SM 2510 B		BEI1078
Electrical Conductivity umhos	**241**	umhos/cm	10.0	1		09/29/23 13:20	SM 2510 B		BEI1078
Nitrate Nitrogen as NO3N	**1.2**	mg/L	0.1	1	10	09/28/23 20:00	EPA 300.0		BEI1031
Temperature	**25.0**	units	0.0	1		09/29/23 13:20	SM 4500-H+	H	BEI1078
pH	**7.6**	units	1.0	1		09/29/23 13:20	SM 4500-H+	H	BEI1078
Total Filterable Solids (TDS)	**193**	mg/L	10.0	1		10/02/23 14:50	SM 2540 C		BEI1072
Kjeldahl Nitrogen (TKN), Total	ND	mg/L	1.00	1		10/04/23 11:54	SM 4500-NH3 C		BEJ0059
Total Nitrogen	**1.38**	mg/L	1.00	1		10/04/23 11:54	SM 4500-NH3 C		BEJ0059

The results in this report apply to the samples as received and were analyzed in accordance with the chain of custody document. This analytical report must be reproduced in its entirety. All results listed in this report are for the exclusive use of the submitting party. Dellavalle Laboratory, Inc. assumes no responsibility for report alteration, separation, detachment or third party interpretation.

DELLAVALLE™
LABORATORY INC

Dewit Dairy
26027 N Dustin Rd
Acampo, CA 95220

Account# 00-0026231
Account Manager: Scott Sakamoto
Submitted By: Jeanette Sawyer

Received: 09/28/2023 15:15
Reported: 10/04/2023 16:39

Sample Results
(Continued)

Sample: IW Cherokee 80
23I1836-02 (Water)

Sampled: 9/27/2023 6:30
Sampled By:

Analyte	Result	Units	Reporting Limit	DIL	DW MCL	Date/Time Analyzed	Method	Notes	Batch
Electrical Conductivity	**0.24**	mmhos/cm	0.01	1		09/29/23 13:21	SM 2510 B		BEI1078
Electrical Conductivity umhos	**236**	umhos/cm	10.0	1		09/29/23 13:21	SM 2510 B		BEI1078
Nitrate Nitrogen as NO3N	**1.5**	mg/L	0.1	1	10	09/28/23 20:21	EPA 300.0		BEI1031
Temperature	**25.0**	units	0.0	1		09/29/23 13:21	SM 4500-H+	H	BEI1078
pH	**7.8**	units	1.0	1		09/29/23 13:21	SM 4500-H+	H	BEI1078
Total Filterable Solids (TDS)	**177**	mg/L	10.0	1		10/02/23 14:50	SM 2540 C		BEI1072
Kjeldahl Nitrogen (TKN), Total	ND	mg/L	1.00	1		10/04/23 11:56	SM 4500-NH3 C		BEJ0059
Total Nitrogen	**1.50**	mg/L	1.00	1		10/04/23 11:56	SM 4500-NH3 C		BEJ0059

The results in this report apply to the samples as received and were analyzed in accordance with the chain of custody document. This analytical report must be reproduced in its entirety. All results listed in this report are for the exclusive use of the submitting party. Dellavalle Laboratory, Inc. assumes no responsibility for report alteration, separation, detachment or third party interpretation.

DELLAVALLE™
LABORATORY INC

Dewit Dairy
26027 N Dustin Rd
Acampo, CA 95220

Account# 00-0026231
Account Manager: Scott Sakamoto
Submitted By: Jeanette Sawyer

Received: 09/28/2023 15:15
Reported: 10/04/2023 16:39

Sample Results
(Continued)

Sample: IW Davids
23I1836-03 (Water)

Sampled: 9/27/2023 6:30
Sampled By:

Analyte	Result	Units	Reporting Limit	DIL	DW MCL	Date/Time Analyzed	Method	Notes	Batch
Electrical Conductivity	**0.23**	mmhos/cm	0.01	1		09/29/23 13:23	SM 2510 B		BEI1078
Electrical Conductivity umhos	**228**	umhos/cm	10.0	1		09/29/23 13:23	SM 2510 B		BEI1078
Nitrate Nitrogen as NO3N	**1.1**	mg/L	0.1	1	10	09/28/23 20:42	EPA 300.0		BEI1031
Temperature	**25.0**	units	0.0	1		09/29/23 13:23	SM 4500-H+	H	BEI1078
pH	**7.7**	units	1.0	1		09/29/23 13:23	SM 4500-H+	H	BEI1078
Total Filterable Solids (TDS)	**190**	mg/L	10.0	1		10/02/23 14:50	SM 2540 C		BEI1072
Kjeldahl Nitrogen (TKN), Total	ND	mg/L	1.00	1		10/04/23 11:57	SM 4500-NH3 C		BEJ0059
Total Nitrogen	**1.11**	mg/L	1.00	1		10/04/23 11:57	SM 4500-NH3 C		BEJ0059

The results in this report apply to the samples as received and were analyzed in accordance with the chain of custody document. This analytical report must be reproduced in its entirety. All results listed in this report are for the exclusive use of the submitting party. Dellavalle Laboratory, Inc. assumes no responsibility for report alteration, separation, detachment or third party interpretation.

DELLAVALLE™
LABORATORY INC

Dewit Dairy
26027 N Dustin Rd
Acampo, CA 95220

Account# 00-0026231
Account Manager: Scott Sakamoto
Submitted By: Jeanette Sawyer

Received: 09/28/2023 15:15
Reported: 10/04/2023 16:39

Sample Results
(Continued)

Sample: IW Harold New
23I1836-04 (Water)

Sampled: 9/27/2023 6:30
Sampled By:

Analyte	Result	Units	Reporting Limit	DIL	DW MCL	Date/Time Analyzed	Method	Notes	Batch
Electrical Conductivity	**0.25**	mmhos/cm	0.01	1		09/29/23 13:24	SM 2510 B		BEI1078
Electrical Conductivity umhos	**248**	umhos/cm	10.0	1		09/29/23 13:24	SM 2510 B		BEI1078
Nitrate Nitrogen as NO3N	**1.8**	mg/L	0.1	1	10	09/28/23 21:03	EPA 300.0		BEI1031
Temperature	**25.0**	units	0.0	1		09/29/23 13:24	SM 4500-H+	H	BEI1078
pH	**7.8**	units	1.0	1		09/29/23 13:24	SM 4500-H+	H	BEI1078
Total Filterable Solids (TDS)	**190**	mg/L	10.0	1		10/02/23 14:50	SM 2540 C		BEI1072
Kjeldahl Nitrogen (TKN), Total	ND	mg/L	1.00	1		10/04/23 11:58	SM 4500-NH3 C		BEJ0059
Total Nitrogen	**2.01**	mg/L	1.00	1		10/04/23 11:58	SM 4500-NH3 C		BEJ0059

The results in this report apply to the samples as received and were analyzed in accordance with the chain of custody document. This analytical report must be reproduced in its entirety. All results listed in this report are for the exclusive use of the submitting party. Dellavalle Laboratory, Inc. assumes no responsibility for report alteration, separation, detachment or third party interpretation.

DELLAVALLE™
LABORATORY INC

Dewit Dairy
26027 N Dustin Rd
Acampo, CA 95220

Account# 00-0026231
Account Manager: Scott Sakamoto
Submitted By: Jeanette Sawyer

Received: 09/28/2023 15:15
Reported: 10/04/2023 16:39

Sample Results
(Continued)

Sample: IW Harold 50
23I1836-05 (Water)

Sampled: 9/27/2023 6:30
Sampled By:

Analyte	Result	Units	Reporting Limit	DIL	DW MCL	Date/Time Analyzed	Method	Notes	Batch
Electrical Conductivity	**0.27**	mmhos/cm	0.01	1		09/29/23 13:25	SM 2510 B		BEI1078
Electrical Conductivity umhos	**271**	umhos/cm	10.0	1		09/29/23 13:25	SM 2510 B		BEI1078
Nitrate Nitrogen as NO3N	**2.3**	mg/L	0.1	1	10	09/28/23 21:24	EPA 300.0		BEI1031
Temperature	**25.0**	units	0.0	1		09/29/23 13:25	SM 4500-H+	H	BEI1078
pH	**7.8**	units	1.0	1		09/29/23 13:25	SM 4500-H+	H	BEI1078
Total Filterable Solids (TDS)	**197**	mg/L	10.0	1		10/02/23 14:50	SM 2540 C		BEI1072
Kjeldahl Nitrogen (TKN), Total	ND	mg/L	1.00	1		10/04/23 12:00	SM 4500-NH3 C		BEJ0059
Total Nitrogen	**2.31**	mg/L	1.00	1		10/04/23 12:00	SM 4500-NH3 C		BEJ0059

The results in this report apply to the samples as received and were analyzed in accordance with the chain of custody document. This analytical report must be reproduced in its entirety. All results listed in this report are for the exclusive use of the submitting party. Dellavalle Laboratory, Inc. assumes no responsibility for report alteration, separation, detachment or third party interpretation.

DELLAVALLE™
LABORATORY INC

Dewit Dairy
26027 N Dustin Rd
Acampo, CA 95220

Account# 00-0026231
Account Manager: Scott Sakamoto
Submitted By: Jeanette Sawyer

Received: 09/28/2023 15:15
Reported: 10/04/2023 16:39

Sample Results
(Continued)

Sample: IW Hog Ranch
23I1836-06 (Water)

Sampled: 9/27/2023 6:30
Sampled By:

Analyte	Result	Units	Reporting Limit	DIL	DW MCL	Date/Time Analyzed	Method	Notes	Batch
Electrical Conductivity	**0.32**	mmhos/cm	0.01	1		09/29/23 13:27	SM 2510 B		BEI1078
Electrical Conductivity umhos	**319**	umhos/cm	10.0	1		09/29/23 13:27	SM 2510 B		BEI1078
Nitrate Nitrogen as NO3N	**3.5**	mg/L	0.1	1	10	09/28/23 21:45	EPA 300.0		BEI1031
Temperature	**25.0**	units	0.0	1		09/29/23 13:27	SM 4500-H+	H	BEI1078
pH	**7.8**	units	1.0	1		09/29/23 13:27	SM 4500-H+	H	BEI1078
Total Filterable Solids (TDS)	**233**	mg/L	10.0	1		10/02/23 14:50	SM 2540 C		BEI1072
Kjeldahl Nitrogen (TKN), Total	ND	mg/L	1.00	1		10/04/23 12:01	SM 4500-NH3 C		BEJ0059
Total Nitrogen	**3.54**	mg/L	1.00	1		10/04/23 12:01	SM 4500-NH3 C		BEJ0059

The results in this report apply to the samples as received and were analyzed in accordance with the chain of custody document. This analytical report must be reproduced in its entirety. All results listed in this report are for the exclusive use of the submitting party. Dellavalle Laboratory, Inc. assumes no responsibility for report alteration, separation, detachment or third party interpretation.

DELLAVALLE™
LABORATORY INC

Dewit Dairy
26027 N Dustin Rd
Acampo, CA 95220

Account# 00-0026231
Account Manager: Scott Sakamoto
Submitted By: Jeanette Sawyer

Received: 09/28/2023 15:15
Reported: 10/04/2023 16:39

Sample Results
(Continued)

Sample: IW Gomes
23I1836-07 (Water)

Sampled: 9/27/2023 6:30
Sampled By:

Analyte	Result	Units	Reporting Limit	DIL	DW MCL	Date/Time Analyzed	Method	Notes	Batch
Electrical Conductivity	**0.23**	mmhos/cm	0.01	1		09/29/23 13:28	SM 2510 B		BEI1078
Electrical Conductivity umhos	**229**	umhos/cm	10.0	1		09/29/23 13:28	SM 2510 B		BEI1078
Nitrate Nitrogen as NO3N	**1.2**	mg/L	0.1	1	10	09/28/23 22:06	EPA 300.0		BEI1031
Temperature	**25.0**	units	0.0	1		09/29/23 13:28	SM 4500-H+	H	BEI1078
pH	**7.8**	units	1.0	1		09/29/23 13:28	SM 4500-H+	H	BEI1078
Total Filterable Solids (TDS)	**170**	mg/L	10.0	1		10/02/23 14:50	SM 2540 C		BEI1072
Kjeldahl Nitrogen (TKN), Total	ND	mg/L	1.00	1		10/04/23 12:11	SM 4500-NH3 C		BEJ0059
Total Nitrogen	**1.24**	mg/L	1.00	1		10/04/23 12:11	SM 4500-NH3 C		BEJ0059

The results in this report apply to the samples as received and were analyzed in accordance with the chain of custody document. This analytical report must be reproduced in its entirety. All results listed in this report are for the exclusive use of the submitting party. Dellavalle Laboratory, Inc. assumes no responsibility for report alteration, separation, detachment or third party interpretation.

DELLAVALLE™
LABORATORY INC

Dewit Dairy
26027 N Dustin Rd
Acampo, CA 95220

Account# 00-0026231
Account Manager: Scott Sakamoto
Submitted By: Jeanette Sawyer

Received: 09/28/2023 15:15
Reported: 10/04/2023 16:39

Sample Results
(Continued)

Sample: IW Grape
23I1836-08 (Water)

Sampled: 9/27/2023 6:30
Sampled By:

Analyte	Result	Units	Reporting Limit	DIL	DW MCL	Date/Time Analyzed	Method	Notes	Batch
Electrical Conductivity	**0.31**	mmhos/cm	0.01	1		09/29/23 13:29	SM 2510 B		BEI1078
Electrical Conductivity umhos	**315**	umhos/cm	10.0	1		09/29/23 13:29	SM 2510 B		BEI1078
Nitrate Nitrogen as NO3N	**3.4**	mg/L	0.1	1	10	09/28/23 22:27	EPA 300.0		BEI1031
Temperature	**25.0**	units	0.0	1		09/29/23 13:29	SM 4500-H+	H	BEI1078
pH	**7.8**	units	1.0	1		09/29/23 13:29	SM 4500-H+	H	BEI1078
Total Filterable Solids (TDS)	**233**	mg/L	10.0	1		10/02/23 14:50	SM 2540 C		BEI1072
Kjeldahl Nitrogen (TKN), Total	ND	mg/L	1.00	1		10/04/23 12:12	SM 4500-NH3 C		BEJ0059
Total Nitrogen	**3.37**	mg/L	1.00	1		10/04/23 12:12	SM 4500-NH3 C		BEJ0059

The results in this report apply to the samples as received and were analyzed in accordance with the chain of custody document. This analytical report must be reproduced in its entirety. All results listed in this report are for the exclusive use of the submitting party. Dellavalle Laboratory, Inc. assumes no responsibility for report alteration, separation, detachment or third party interpretation.

DELLAVALLE™
LABORATORY INC

Dewit Dairy
26027 N Dustin Rd
Acampo, CA 95220

Account# 00-0026231
Account Manager: Scott Sakamoto
Submitted By: Jeanette Sawyer

Received: 09/28/2023 15:15
Reported: 10/04/2023 16:39

Sample Results
(Continued)

Sample: IW School
23I1836-09 (Water)

Sampled: 9/27/2023 6:30
Sampled By:

Analyte	Result	Units	Reporting Limit	DIL	DW MCL	Date/Time Analyzed	Method	Notes	Batch
Electrical Conductivity	**0.37**	mmhos/cm	0.01	1		09/29/23 13:30	SM 2510 B		BEI1078
Electrical Conductivity umhos	**374**	umhos/cm	10.0	1		09/29/23 13:30	SM 2510 B		BEI1078
Nitrate Nitrogen as NO3N	**4.5**	mg/L	0.1	1	10	09/28/23 22:48	EPA 300.0		BEI1031
Temperature	**25.0**	units	0.0	1		09/29/23 13:30	SM 4500-H+	H	BEI1078
pH	**7.7**	units	1.0	1		09/29/23 13:30	SM 4500-H+	H	BEI1078
Total Filterable Solids (TDS)	**253**	mg/L	10.0	1		10/02/23 14:50	SM 2540 C		BEI1072
Kjeldahl Nitrogen (TKN), Total	ND	mg/L	1.00	1		10/04/23 12:14	SM 4500-NH3 C		BEJ0059
Total Nitrogen	**4.67**	mg/L	1.00	1		10/04/23 12:14	SM 4500-NH3 C		BEJ0059

The results in this report apply to the samples as received and were analyzed in accordance with the chain of custody document. This analytical report must be reproduced in its entirety. All results listed in this report are for the exclusive use of the submitting party. Dellavalle Laboratory, Inc. assumes no responsibility for report alteration, separation, detachment or third party interpretation.

DELLAVALLE™
LABORATORY INC

Dewit Dairy
26027 N Dustin Rd
Acampo, CA 95220

Account# 00-0026231
Account Manager: Scott Sakamoto
Submitted By: Jeanette Sawyer

Received: 09/28/2023 15:15
Reported: 10/04/2023 16:39

Sample Results
(Continued)

Sample: IW Sowles 30
23I1836-10 (Water)

Sampled: 9/27/2023 6:30
Sampled By:

Analyte	Result	Units	Reporting Limit	DIL	DW MCL	Date/Time Analyzed	Method	Notes	Batch
Electrical Conductivity	**0.25**	mmhos/cm	0.01	1		09/29/23 14:03	SM 2510 B		BEI1079
Electrical Conductivity umhos	**245**	umhos/cm	10.0	1		09/29/23 14:03	SM 2510 B		BEI1079
Nitrate Nitrogen as NO3N	**1.6**	mg/L	0.1	1	10	09/28/23 23:09	EPA 300.0		BEI1031
Temperature	**25.0**	units	0.0	1		09/29/23 14:03	SM 4500-H+	H	BEI1079
pH	**7.1**	units	1.0	1		09/29/23 14:03	SM 4500-H+	H	BEI1079
Total Filterable Solids (TDS)	**190**	mg/L	10.0	1		10/02/23 14:50	SM 2540 C		BEI1072
Kjeldahl Nitrogen (TKN), Total	ND	mg/L	1.00	1		10/04/23 12:15	SM 4500-NH3 C		BEJ0059
Total Nitrogen	**1.82**	mg/L	1.00	1		10/04/23 12:15	SM 4500-NH3 C		BEJ0059

The results in this report apply to the samples as received and were analyzed in accordance with the chain of custody document. This analytical report must be reproduced in its entirety. All results listed in this report are for the exclusive use of the submitting party. Dellavalle Laboratory, Inc. assumes no responsibility for report alteration, separation, detachment or third party interpretation.

DELLAVALLE™
LABORATORY INC

Dewit Dairy
26027 N Dustin Rd
Acampo, CA 95220

Account# 00-0026231
Account Manager: Scott Sakamoto
Submitted By: Jeanette Sawyer

Received: 09/28/2023 15:15
Reported: 10/04/2023 16:39

Sample Results
(Continued)

Sample: IW Sowles 50
23I1836-11 (Water)

Sampled: 9/27/2023 6:30
Sampled By:

Analyte	Result	Units	Reporting Limit	DIL	DW MCL	Date/Time Analyzed	Method	Notes	Batch
Electrical Conductivity	**0.24**	mmhos/cm	0.01	1		09/29/23 14:05	SM 2510 B		BEI1079
Electrical Conductivity umhos	**241**	umhos/cm	10.0	1		09/29/23 14:05	SM 2510 B		BEI1079
Nitrate Nitrogen as NO3N	**1.5**	mg/L	0.1	1	10	09/30/23 02:39	EPA 300.0		BEI1067
Temperature	**25.0**	units	0.0	1		09/29/23 14:05	SM 4500-H+	H	BEI1079
pH	**7.5**	units	1.0	1		09/29/23 14:05	SM 4500-H+	H	BEI1079
Total Filterable Solids (TDS)	**187**	mg/L	10.0	1		10/02/23 14:50	SM 2540 C		BEI1072
Kjeldahl Nitrogen (TKN), Total	ND	mg/L	1.00	1		10/04/23 12:16	SM 4500-NH3 C		BEJ0059
Total Nitrogen	**1.67**	mg/L	1.00	1		10/04/23 12:16	SM 4500-NH3 C		BEJ0059

The results in this report apply to the samples as received and were analyzed in accordance with the chain of custody document. This analytical report must be reproduced in its entirety. All results listed in this report are for the exclusive use of the submitting party. Dellavalle Laboratory, Inc. assumes no responsibility for report alteration, separation, detachment or third party interpretation.

DELLAVALLE™
LABORATORY INC

Dewit Dairy
26027 N Dustin Rd
Acampo, CA 95220

Account# 00-0026231
Account Manager: Scott Sakamoto
Submitted By: Jeanette Sawyer

Received: 09/28/2023 15:15
Reported: 10/04/2023 16:39

Sample Results
(Continued)

Sample: IW Virtue 50
23I1836-12 (Water)

Sampled: 9/27/2023 6:30
Sampled By:

Analyte	Result	Units	Reporting Limit	DIL	DW MCL	Date/Time Analyzed	Method	Notes	Batch
Electrical Conductivity	**0.24**	mmhos/cm	0.01	1		09/29/23 14:07	SM 2510 B		BEI1079
Electrical Conductivity umhos	**242**	umhos/cm	10.0	1		09/29/23 14:07	SM 2510 B		BEI1079
Nitrate Nitrogen as NO3N	**1.5**	mg/L	0.1	1	10	09/30/23 02:59	EPA 300.0		BEI1067
Temperature	**25.0**	units	0.0	1		09/29/23 14:07	SM 4500-H+	H	BEI1079
pH	**7.6**	units	1.0	1		09/29/23 14:07	SM 4500-H+	H	BEI1079
Total Filterable Solids (TDS)	**187**	mg/L	10.0	1		10/02/23 14:50	SM 2540 C		BEI1072
Kjeldahl Nitrogen (TKN), Total	ND	mg/L	1.00	1		10/04/23 12:18	SM 4500-NH3 C		BEJ0059
Total Nitrogen	**1.52**	mg/L	1.00	1		10/04/23 12:18	SM 4500-NH3 C		BEJ0059

The results in this report apply to the samples as received and were analyzed in accordance with the chain of custody document. This analytical report must be reproduced in its entirety. All results listed in this report are for the exclusive use of the submitting party. Dellavalle Laboratory, Inc. assumes no responsibility for report alteration, separation, detachment or third party interpretation.

DELLAVALLE™
LABORATORY INC

Dewit Dairy
26027 N Dustin Rd
Acampo, CA 95220

Account# 00-0026231
Account Manager: Scott Sakamoto
Submitted By: Jeanette Sawyer

Received: 09/28/2023 15:15
Reported: 10/04/2023 16:39

Sample Results
(Continued)

Sample: IW Virtue 75
23I1836-13 (Water)

Sampled: 9/27/2023 6:30
Sampled By:

Analyte	Result	Units	Reporting Limit	DIL	DW MCL	Date/Time Analyzed	Method	Notes	Batch
Electrical Conductivity	**0.24**	mmhos/cm	0.01	1		09/29/23 14:08	SM 2510 B		BEI1079
Electrical Conductivity umhos	**242**	umhos/cm	10.0	1		09/29/23 14:08	SM 2510 B		BEI1079
Nitrate Nitrogen as NO3N	**1.5**	mg/L	0.1	1	10	09/30/23 03:19	EPA 300.0		BEI1067
Temperature	**25.0**	units	0.0	1		09/29/23 14:08	SM 4500-H+	H	BEI1079
pH	**7.6**	units	1.0	1		09/29/23 14:08	SM 4500-H+	H	BEI1079
Total Filterable Solids (TDS)	**183**	mg/L	10.0	1		10/02/23 14:50	SM 2540 C		BEI1072
Kjeldahl Nitrogen (TKN), Total	ND	mg/L	1.00	1		10/04/23 12:19	SM 4500-NH3 C		BEJ0059
Total Nitrogen	**1.61**	mg/L	1.00	1		10/04/23 12:19	SM 4500-NH3 C		BEJ0059

The results in this report apply to the samples as received and were analyzed in accordance with the chain of custody document. This analytical report must be reproduced in its entirety. All results listed in this report are for the exclusive use of the submitting party. Dellavalle Laboratory, Inc. assumes no responsibility for report alteration, separation, detachment or third party interpretation.

DELLAVALLE™
LABORATORY INC

Dewit Dairy
26027 N Dustin Rd
Acampo, CA 95220

Account# 00-0026231
Account Manager: Scott Sakamoto
Submitted By: Jeanette Sawyer

Received: 09/28/2023 15:15
Reported: 10/04/2023 16:39

Sample Results
(Continued)

Sample: IW West
23I1836-14 (Water)

Sampled: 9/27/2023 6:30
Sampled By:

Analyte	Result	Units	Reporting Limit	DIL	DW MCL	Date/Time Analyzed	Method	Notes	Batch
Electrical Conductivity	**0.25**	mmhos/cm	0.01	1		09/29/23 14:10	SM 2510 B		BEI1079
Electrical Conductivity umhos	**254**	umhos/cm	10.0	1		09/29/23 14:10	SM 2510 B		BEI1079
Nitrate Nitrogen as NO3N	**1.9**	mg/L	0.1	1	10	09/30/23 03:39	EPA 300.0		BEI1067
Temperature	**25.0**	units	0.0	1		09/29/23 14:10	SM 4500-H+	H	BEI1079
pH	**7.8**	units	1.0	1		09/29/23 14:10	SM 4500-H+	H	BEI1079
Total Filterable Solids (TDS)	**197**	mg/L	10.0	1		10/02/23 14:50	SM 2540 C		BEI1072
Kjeldahl Nitrogen (TKN), Total	ND	mg/L	1.00	1		10/04/23 12:21	SM 4500-NH3 C		BEJ0059
Total Nitrogen	**2.05**	mg/L	1.00	1		10/04/23 12:21	SM 4500-NH3 C		BEJ0059

The results in this report apply to the samples as received and were analyzed in accordance with the chain of custody document. This analytical report must be reproduced in its entirety. All results listed in this report are for the exclusive use of the submitting party. Dellavalle Laboratory, Inc. assumes no responsibility for report alteration, separation, detachment or third party interpretation.

DELLAVALLE™
LABORATORY INC

Dewit Dairy
26027 N Dustin Rd
Acampo, CA 95220

Account# 00-0026231
Account Manager: Scott Sakamoto
Submitted By: Jeanette Sawyer

Received: 09/28/2023 15:15
Reported: 10/04/2023 16:39

Sample Results
(Continued)

Sample: IW Woods
23I1836-15 (Water)

Sampled: 9/27/2023 6:30
Sampled By:

Analyte	Result	Units	Reporting Limit	DIL	DW MCL	Date/Time Analyzed	Method	Notes	Batch
Electrical Conductivity	**0.25**	mmhos/cm	0.01	1		09/29/23 14:11	SM 2510 B		BEI1079
Electrical Conductivity umhos	**245**	umhos/cm	10.0	1		09/29/23 14:11	SM 2510 B		BEI1079
Nitrate Nitrogen as NO3N	**1.4**	mg/L	0.1	1	10	09/30/23 03:59	EPA 300.0		BEI1067
Temperature	**25.0**	units	0.0	1		09/29/23 14:11	SM 4500-H+	H	BEI1079
pH	**7.9**	units	1.0	1		09/29/23 14:11	SM 4500-H+	H	BEI1079
Total Filterable Solids (TDS)	**183**	mg/L	10.0	1		10/02/23 14:50	SM 2540 C		BEI1072
Kjeldahl Nitrogen (TKN), Total	ND	mg/L	1.00	1		10/04/23 12:22	SM 4500-NH3 C		BEJ0059
Total Nitrogen	**1.45**	mg/L	1.00	1		10/04/23 12:22	SM 4500-NH3 C		BEJ0059

The results in this report apply to the samples as received and were analyzed in accordance with the chain of custody document. This analytical report must be reproduced in its entirety. All results listed in this report are for the exclusive use of the submitting party. Dellavalle Laboratory, Inc. assumes no responsibility for report alteration, separation, detachment or third party interpretation.

WATER WORK REQUEST

20231

DELLAVALLE LABORATORY, INC.

1910 W. McKinley Avenue, Suite 110 • Fresno, CA 93728
www.dellavallelab.com 559 233-6129 · 800 228-9896 · Fax 559 268-8174

Purchase Order No | Bill To: Acct # 8 | Cons # 13

No. Samples: 15 | No of Bottles: 30

Results Need By

Water Type: [ ] Drinking Water [ ] Wastewater
[✓] Ag Water [ ] Groundwater [ ] Monitoring Well

Name: Dewit Dairy
Address: 26027 N. Dustin Rd
City: Acampo State: CA Zip: 95220
Telephone: Fax:
Cell/Email: 209 423-3783
COPY TO: F&A Ag Services
& JSawyer@Fragservices.com
REQUESTED BY: Jeanette Sawyer
PROJECT:
CROP:

Other:

Analysis and Bottles Required: (*Please indicate Analysis*)

DCWI + TN

09/28/23 15:15 23I1836

PRELOGGED
09/28/23 00:00 23I1836

[ ] Co. Health Dept
[ ] RWQCB [ ] Copy of Chain
[ ] State Forms [ ] QA/QC Documents

Sampled By: JG

	Description of Samples	Date Sampled	Time Sampled	Rec'd Temp °C	Field EC
1	IW Cherokee 40	9/27/23	Started 6:30 AM	5.9	
2	Cherokee 80			9.8	
3	Davids			16.7	
4	Harold New			5.1	
5	Harold 50			5.4	
6	Hog Ranch			5.9	
7	Gomes			9.4	
8	Grape			9.0	
9	School			5.7	
10	Sowles 30			4.9	

IR Thermometer SN: 192603727
Correction Factor: 0°C
Calibration Due: 12/22/2023
Location: Laboratory

CHAIN OF CUSTODY

Carrier	Signature	Company	Received (Date/Time)	Relinquished (Date/Time)
First	Jeanette Sawyer	F&A Ag Services		
Second	JLF	DLV	9-28-23 1015	9-28-23 2:35
Third				
Fourth	JVS	DLI	9/28/23 15:15	

I guarantee that as the client, or on behalf of client named, I have the authority to contract the above requested services. Should it be found that I do not have such authority, I agree to be personally liable for all costs and, if there should be action against me for this breach, reasonable attorneys' fees. It is understood that payment is expected to be cash with samples unless terms have been previously arranged. Terms are net 30 days; overdue accounts will be charged a liquidated damage fee of 2% per month (annually 24%) or $5.00 per month whichever is greater.

If payment is not made when due and a legitimate dispute exists concerning the product or services of Dellavalle Laboratory, Inc., it will be submitted to mediation under the Rules and Procedures of Creative Alternative to Litigation, Inc. (*cal*). If the dispute is not resolved in mediation, then the dispute will be submitted to binding arbitration through *cal* under its Rules and Procedures. The parties will equally bear the costs of mediation/arbitration. If, however, the mediator declares that no legitimate dispute exists, then debtor will pay all mediation and arbitration costs, and in the event of arbitration, reasonable attorneys' fees of Dellavalle Laboratory.

Invoicing Information:
Sampling hrs
Miles
Consulting

Shipping
$ In
$ Out

Amt Paid	Rec By	Check #	Date

Signature
Sample received in cooler with ice (coolant)
[ ] Yes [ ] No

WATER WORK REQUEST

DELLAVALLE LABORATORY, INC.

1910 W. McKinley Avenue, Suite 110 • Fresno, CA 93728
www.dellavallelab.com 559 233-6129 · 800 228-9896 · Fax 559 268-8174

Purchase Order No | Bill To: Acct # 0 | Cons # 13

No. Samples: | No of Bottles:

Results Need By

Water Type: [ ] Drinking Water [ ] Wastewater
[ ] Ag Water [ ] Groundwater [ ] Monitoring Well

Name: Dewit Dairy
Address: 26027 N. Dustin Rd
City: Acampo State: CA Zip: 95220
Telephone: Fax:
Cell/Email: 209 423-3783
COPY TO: F&R Ag Services
& JSawyer@Frogservices.com
REQUESTED BY: Jeanette Sawyer
PROJECT:
CROP:

Other:

Analysis and Bottles Required: (*Please indicate Analysis*)

DCW1

09/28/23 15:15 23I1836

[ ] Co. Health Dept
[ ] RWQCB [ ] Copy of Chain
[ ] State Forms [ ] QA/QC Documents

Sampled By:

	Description of Samples	Date Sampled	Time Sampled	Rec'd Temp °C	Field EC
1	IW Sowles 50	9/27/23		6.6	
2	Virtue 50			6.4	
3	Virtue 75			3.8	
4	West			5.6	
5	Woods			8.4	
6					
7					
8					
9					
10					

IR Thermometer SN: 192603727
Correction Factor: 0°C
Calibration Due: 12/22/2023
Location: Laboratory

CHAIN OF CUSTODY

Carrier	Signature	Company	Received (Date/Time)	Relinquished (Date/Time)
First	Jeanette Sawyer	F&R Ag Services		
Second	JLF	DLV	9-28-23 10:15	9-28-23 2:35
Third				
Fourth	NS	DLV	9/28/23 15:15	

I guarantee that as the client, or on behalf of client named, I have the authority to contract the above requested services. Should it be found that I do not have such authority, I agree to be personally liable for all costs and, if there should be action against me for this breach, reasonable attorneys' fees. It is understood that payment is expected to be cash with samples unless terms have been previously arranged. Terms are net 30 days; overdue accounts will be charged a liquidated damage fee of 2% per month (annually 24%) or $5.00 per month whichever is greater.

If payment is not made when due and a legitimate dispute exists concerning the product or services of Dellavalle Laboratory, Inc., it will be submitted to mediation under the Rules and Procedures of Creative Alternative to Litigation, Inc. (*cal*). If the dispute is not resolved in mediation, then the dispute will be submitted to binding arbitration through *cal* under its Rules and Procedures. The parties will equally bear the costs of mediation/arbitration. If, however, the mediator declares that no legitimate dispute exists, then debtor will pay all mediation and arbitration costs, and in the event of arbitration, reasonable attorneys' fees of Dellavalle Laboratory.

Invoicing Information:
Sampling hrs
Miles
Consulting

Shipping
$ In
$ Out

Amt Paid	Rec By	Check #	Date

Signature
Sample received in cooler with ice (coolant)
[ ] Yes [ ] No

DELLAVALLE™
LABORATORY INC

Dewit Dairy
26027 N Dustin Rd
Acampo, CA 95220

Account# 00-0026231
Account Manager: Scott Sakamoto
Submitted By: Jeanette Sawyer

Received: 09/28/2023 15:15
Reported: 10/06/2023 09:43

Samples in this Report

Lab ID	Sample	Matrix	Sampled By	Crop	Date Sampled
23I1838-01	DW East	Drinking Water			09/27/2023 6:00
23I1838-02	DW West	Drinking Water			09/27/2023 6:00

Default Cooler Temperature on Receipt °C: 6.3
Containers Intact
COC/Labels Agree

Notes and Definitions

Item	Definition
H	Hold Time Exceeded
MCL	Drinking Water Maximum Contaminant Level
ND	Analyte NOT DETECTED at or above the reporting limit.
NES	Not Enough Sample
*	Not Taken
RPD	Relative Percent Difference
%REC	Percent Recovery
Source	Sample that was matrix spiked or duplicated.

Scott McFriedland

Laboratory Director/Technical Manager

ELAP Certification #1595
A2LA Certification #6440.02

The results in this report apply to the samples as received and were analyzed in accordance with the chain of custody document. This analytical report must be reproduced in its entirety. All results listed in this report are for the exclusive use of the submitting party. Dellavalle Laboratory, Inc. assumes no responsibility for report alteration, separation, detachment or third party interpretation.

DELLAVALLE™
LABORATORY INC

Dewit Dairy
26027 N Dustin Rd
Acampo, CA 95220

Account# 00-0026231
Account Manager: Scott Sakamoto
Submitted By: Jeanette Sawyer

Received: 09/28/2023 15:15
Reported: 10/06/2023 09:43

Sample Results

Sample: DW East
23I1838-01 (Water)

Sampled: 9/27/2023 6:00
Sampled By:

Analyte	Result	Units	Reporting Limit	DIL	DW MCL	Date/Time Analyzed	Method	Notes	Batch
Electrical Conductivity	**0.25**	mmhos/cm	0.01	1		09/29/23 14:27	SM 2510 B		BEI1079
Electrical Conductivity umhos	**247**	umhos/cm	10.0	1		09/29/23 14:27	SM 2510 B		BEI1079
Ammonia (as N)	*	mg/L	0.00	1		09/27/23 06:00	Field		BEI1059
Nitrate Nitrogen as NO3N	**2.1**	mg/L	0.1	1	10	09/29/23 03:48	EPA 300.0		BEI1030
Temperature	**25.0**	units	0.0	1		09/29/23 14:27	SM 4500-H+	H	BEI1079
pH	**7.8**	units	1.0	1		09/29/23 14:27	SM 4500-H+	H	BEI1079
Kjeldahl Nitrogen (TKN), Total	ND	mg/L	1.00	1		10/05/23 10:48	SM 4500-NH3 C		BEJ0125
Total Nitrogen	**2.16**	mg/L	1.00	1		10/05/23 10:48	SM 4500-NH3 C		BEJ0125

The results in this report apply to the samples as received and were analyzed in accordance with the chain of custody document. This analytical report must be reproduced in its entirety. All results listed in this report are for the exclusive use of the submitting party. Dellavalle Laboratory, Inc. assumes no responsibility for report alteration, separation, detachment or third party interpretation.

DELLAVALLE™
LABORATORY INC

Dewit Dairy
26027 N Dustin Rd
Acampo, CA 95220

Account# 00-0026231
Account Manager: Scott Sakamoto
Submitted By: Jeanette Sawyer

Received: 09/28/2023 15:15
Reported: 10/06/2023 09:43

Sample Results
(Continued)

Sample: DW West
23I1838-02 (Water)

Sampled: 9/27/2023 6:00
Sampled By:

Analyte	Result	Units	Reporting Limit	DIL	DW MCL	Date/Time Analyzed	Method	Notes	Batch
Electrical Conductivity	**0.34**	mmhos/cm	0.01	1		09/29/23 14:28	SM 2510 B		BEI1079
Electrical Conductivity umhos	**338**	umhos/cm	10.0	1		09/29/23 14:28	SM 2510 B		BEI1079
Ammonia (as N)	*	mg/L	0.00	1		09/27/23 06:00	Field		BEI1059
Nitrate Nitrogen as NO3N	**4.2**	mg/L	0.1	1	10	09/29/23 04:09	EPA 300.0		BEI1030
Temperature	**25.0**	units	0.0	1		09/29/23 14:28	SM 4500-H+	H	BEI1079
pH	**7.4**	units	1.0	1		09/29/23 14:28	SM 4500-H+	H	BEI1079
Kjeldahl Nitrogen (TKN), Total	**1.19**	mg/L	1.00	1		10/05/23 10:50	SM 4500-NH3 C		BEJ0125
Total Nitrogen	**5.44**	mg/L	1.00	1		10/05/23 10:50	SM 4500-NH3 C		BEJ0125

The results in this report apply to the samples as received and were analyzed in accordance with the chain of custody document. This analytical report must be reproduced in its entirety. All results listed in this report are for the exclusive use of the submitting party. Dellavalle Laboratory, Inc. assumes no responsibility for report alteration, separation, detachment or third party interpretation.

09/28/23 15:15 23I1838

DELLAVALLE LABORATORY, INC.

1910 W. McKinley Avenue, Suite 110 • Fresno, CA 93728
www.dellavallelab.com 559 233-6129 · 800 228-9896 · Fax 559 268-8174

Purchase Order No | Bill To: Acct # | Cons #

No. Samples: 2 No of Bottles: 4

Results Need By

Water Type: [ ] Drinking Water [ ] Wastewater
[ ] Ag Water [ ] Groundwater [ ] Monitoring Well

Name: Dewit Dairy
Address: 26027 N. Dustin Rd
City: Acampo State: CA Zip: 95220
Telephone: Fax:
Cell/Email: 209 423-3783
COPY TO: F&R Ag Services
& JSawyer@Fragservices.com
REQUESTED BY: Jeanette Sawyer
PROJECT:
CROP:

Other:

Analysis and Bottles Required: (*Please indicate Analysis*)

DWW1 + TN

[ ] Co. Health Dept
[ ] RWQCB [ ] Copy of Chain
[ ] State Forms [ ] QA/QC Documents

Sampled By:

	Description of Samples	Date Sampled	Time Sampled	Rec'd Temp °C	Field EC
1	DW East	9/27/23	~~Start~~ 6 AM	6.3	
2	↓ West	↓		3.9	
3					
9					
10					

09/28/23 15:15 23I1838

IR Thermometer SN: 192603727
Correction Factor: 0°C
Calibration Due: 12/22/2023
Location: Laboratory

JG

CHAIN OF CUSTODY

Carrier	Signature	Company	Received (Date/Time)	Relinquished (Date/Time)
First	Jeanette Sawyer	F&R Ag Services		
Second	JLF	DLW	9-28-23 10:15	9-28-23 2:35
Third				
Fourth	JZ	DLI	9/28/23 15:15	

I guarantee that as the client, or on behalf of client named, I have the authority to contract the above requested services. Should it be found that I do not have such authority, I agree to be personally liable for all costs and, if there should be action against me for this breach, reasonable attorneys' fees. It is understood that payment is expected to be cash with samples unless terms have been previously arranged. Terms are net 30 days; overdue accounts will be charged a liquidated damage fee of 2% per month (annually 24%) or $5.00 per month whichever is greater.

If payment is not made when due and a legitimate dispute exists concerning the product or services of Dellavalle Laboratory, Inc., it will be submitted to mediation under the Rules and Procedures of Creative Alternative to Litigation, Inc. (*cal*). If the dispute is not resolved in mediation, then the dispute will be submitted to binding arbitration through *cal* under its Rules and Procedures. The parties will equally bear the costs of mediation/arbitration. If, however, the mediator declares that no legitimate dispute exists, then debtor will pay all mediation and arbitration costs, and in the event of arbitration, reasonable attorneys' fees of Dellavalle Laboratory.

Invoicing Information:
Sampling hrs
Miles
Consulting

Shipping
$ In
$ Out

Amt Paid	Rec By	Check #	Date

Signature
Sample received in cooler with ice (coolant)
[ ] Yes [ ] No

2023 Annual Report Dewit Dairy

Final Audit Report 2024-06-19

Created:	2024-06-19
By:	Vince Furtado (vfurtado@fragservices.com)
Status:	Signed
Transaction ID:	CBJCHBCAABAAqfyjS7I9zPB2zuxtzFLat0izDonPYcbe

"2023 Annual Report Dewit Dairy" History

Document created by Vince Furtado (vfurtado@fragservices.com)
2024-06-19 - 4:08:39 PM GMT

Document emailed to ejdewit209@gmail.com for signature
2024-06-19 - 4:09:58 PM GMT

Email viewed by ejdewit209@gmail.com
2024-06-19 - 4:20:08 PM GMT

Signer ejdewit209@gmail.com entered name at signing as Eric dewit
2024-06-19 - 4:20:58 PM GMT

Document e-signed by Eric dewit (ejdewit209@gmail.com)
Signature Date: 2024-06-19 - 4:21:00 PM GMT - Time Source: server

Agreement completed.
2024-06-19 - 4:21:00 PM GMT