**Annual Report - General Order No. R5-2007-0035**
*Reporting period 01/01/2023 to 12/31/2023.*

DAIRY FACILITY INFORMATION

**A. NAME OF DAIRY OR BUSINESS OPERATING THE DAIRY:** Ackerman Dairy Inc

Physical address of dairy:

| Number and Street | City | County | Zip Code |
|---|---|---|---|
| 6942 S Central AVE | Ceres | Stanislaus | 95307 |

Street and nearest cross street (if no address):

Date facility was originally placed in operation: 01/01/1982

Regional Water Quality Control Board Basin Plan designation: San Joaquin River Basin

County Assessor Parcel Number(s) for dairy facility:

X022-X013-X019-XXXX X041-X052-X023-XXXX X041-X052-X024-XXXX

**B. OPERATORS**

Ackerman, Debra

Operator name: Ackerman, Debra

Telephone no.: (209) 538-9110 (Landline) (Cellular)

| Mailing Address Number and Street | City | State | Zip Code |
|---|---|---|---|
| 6934 S Central AVE | Ceres | CA | 95307 |

**This operator is responsible for paying permit fees.**

**C. OWNERS**

Ackerman, Debra

Legal owner name: Ackerman, Debra

Telephone no.: (209) 538-9110 (Landline) (Cellular)

| Mailing Address Number and Street | City | State | Zip Code |
|---|---|---|---|
| 6934 S Central AVE | Ceres | CA | 95307 |

**This owner is responsible for paying permit fees.**

**Annual Report - General Order No. R5-2007-0035**
*Reporting period 01/01/2023 to 12/31/2023.*

AVAILABLE NUTRIENTS

## A. HERD INFORMATION

| | Milk Cows | Dry Cows | Bred Heifers (15-24 mo.) | Heifers (7-14 mo. to breeding) | Calves (4-6 mo.) | Calves (0-3 mo.) |
|---|---|---|---|---|---|---|
| Number open confinement | 0 | 0 | 240 | 0 | 150 | 0 |
| Number under roof | 1,200 | 200 | 240 | 0 | 0 | 150 |
| Maximum number | 1,300 | 310 | 480 | 0 | 150 | 150 |
| Average number | 1,200 | 200 | 480 | 0 | 150 | 150 |
| Avg live weight (lbs) | 1,400 | 1,400 | 800 | 0 | | |

Predominant milk cow breed: Holstein

Average milk production: 63 *pounds per cow per day*

## B. MANURE GENERATED

Total manure excreted by the herd: 38,414.50 *tons per reporting period*

Total nitrogen from manure: 486,948.66 *lbs per reporting period*

After ammonia losses (30% loss applied): 340,864.06 *lbs per reporting period*

Total phosphorus from manure: 79,374.23 *lbs per reporting period*

Total potassium from manure: 224,292.27 *lbs per reporting period*

Total salt from manure: 611,010.00 *lbs per reporting period*

## C. PROCESS WASTEWATER GENERATED

Process wastewater generated: 14,598,000 *gallons*

Total nitrogen generated: 82,936.65 *lbs*

Total phosphorus generated: 5,251.72 *lbs*

Total potassium generated: 126,616.06 *lbs*

Total salt generated: 1,001,636.33 *lbs*

| | | |
|---|---|---|
| | 14,598,000 | *gallons applied* |
| + | 0 | *gallons exported* |
| - | 0 | *gallons imported* |
| = | 14,598,000 | *gallons generated* |

## D. FRESH WATER SOURCES

| Source Description | Type |
|---|---|
| IW | Ground water |
| TID Lateral 3 | Surface water |
| TID Lateral 4 | Surface water |

## E. SUBSURFACE (TILE) DRAINAGE SOURCES

*No subsurface (tile) drainage sources entered.*

## F. NUTRIENT IMPORTS

*No dry manure nutrient imports entered.*

*No process wastewater nutrient imports entered.*

| Date | Material type / Description | Quantity | Reporting basis | Moisture (%) | N (%) | P (%) | K (%) | Salt (%) |
|---|---|---|---|---|---|---|---|---|
| 05/31/2023 | Solid commercial fertilizer<br>*UN32* | 10.15 *ton* | Dry-weight | 0.1 | 32.000000 | 0.000000 | 0.000000 | 0.000000 |
| 06/04/2023 | Solid commercial fertilizer<br>*15-15-15* | 8.40 *ton* | Dry-weight | 0.1 | 15.000000 | 6.600000 | 12.500000 | 0.000000 |

| Material type | Total N (lbs) | Total P (lbs) | Total K (lbs) | Total salt (lbs) |
|---|---|---|---|---|
| Commercial fertilizer / Other | 9,006.98 | 1,107.69 | 2,097.90 | 0.00 |
| Dry manure | 0.00 | 0.00 | 0.00 | 0.00 |
| Process wastewater | 0.00 | 0.00 | 0.00 | 0.00 |
| Total imports for all materials | 9,006.98 | 1,107.69 | 2,097.90 | 0.00 |

## G. NUTRIENT EXPORTS

| Date | Material type | Quantity | Reporting basis | Moisture (%) | Density (lbs/cu ft) | N (mg/kg) | P (mg/kg) | K (mg/kg) | Salt (mg/kg) | TFS (%) |
|---|---|---|---|---|---|---|---|---|---|---|
| 10/18/2023 | Corral solids | 3,840.00 *ton* | Dry-weight | 46.0 | | 20,800.00 | 6,710.00 | 35,700.00 | | 34.60 |

*No liquid nutrient exports entered.*

| Material type | Total N (lbs) | Total P (lbs) | Total K (lbs) | Total salt (lbs) |
|---|---|---|---|---|
| Dry manure | 86,261.76 | 27,827.71 | 148,055.04 | 1,434,931.20 |
| Process wastewater | 0.00 | 0.00 | 0.00 | 0.00 |
| Total exports for all materials | 86,261.76 | 27,827.71 | 148,055.04 | 1,434,931.20 |

APPLICATION AREA

## A. LIST OF LAND APPLICATION AREAS

| Field name | Controlled acres | Cropable acres | Total harvests | Type of waste applied | Parcel number |
|---|---|---|---|---|---|
| 2301 | 28 | 28 | 2 | process wastewater | X022-X013-X013-XXXX<br>X022-X013-X014-XXXX<br>X022-X013-X019-XXXX |
| Almonds | 72 | 72 | 1 | manure | X041-X050-X004-XXXX |
| Cooks | 13 | 13 | 2 | process wastewater | X022-X013-X005-XXXX |
| D. Melo | 16 | 16 | 2 | process wastewater | X041-X052-X022-XXXX |
| House | 23 | 23 | 2 | process wastewater | X041-X052-X023-XXXX<br>X041-X052-X024-XXXX |
| J. Melo 1 | 19 | 19 | 1 | manure | X041-X051-X010-XXXX |
| J. Melo 2 | 18 | 18 | 2 | process wastewater | X041-X052-X021-XXXX |
| Lagoon | 10 | 10 | 2 | process wastewater | X041-X052-X023-XXXX<br>X041-X052-X024-XXXX |
| Mendosa | 19 | 19 | 1 | manure | X041-X051-X025-XXXX<br>X041-X051-X026-XXXX |
| Taylor/Moffet | 33 | 33 | 2 | process wastewater | X022-X013-X019-XXXX |
| The 10 | 9 | 9 | 2 | process wastewater | X022-X013-X015-XXXX |
| Washington | 18 | 18 | 2 | manure | X044-X001-X012-XXXX |
| Totals for areas that were used for application | 278 | 278 | 21 | | |
| Totals for areas that were not used for application | | | | | |
| Land application area totals | 278 | 278 | 21 | | |

## B. CROPS AND HARVESTS

2301

Field name: 2301

## 2301

### 10/26/2022: Oats, silage-soft dough

Crop: Oats, silage-soft dough  Acres planted: 28  Plant date: 10/26/2022

| Harvest date | Yield | Reporting basis | Density (lbs/cu ft) | Moisture (%) | N (mg/kg) | P (mg/kg) | K (mg/kg) | Salt (mg/kg) | TFS (%) |
|---|---|---|---|---|---|---|---|---|---|
| 04/29/2023 | 389.00 *ton* | As-is | | 65.8 | 7,150.00 | 890.00 | 10,600.00 | | 10.70 |

| | Yield (tons/acre) | Total N (lbs/acre) | Total P (lbs/acre) | Total K (lbs/acre) | Salt (lbs/acre) |
|---|---|---|---|---|---|
| Anticipated harvest content | 15.00 | 150.00 | 24.00 | 124.50 | 0.00 |
| Total actual harvest content | 13.89 | 198.67 | 24.73 | 294.53 | 1,016.79 |

### 06/03/2023: Corn, silage

Crop: Corn, silage  Acres planted: 28  Plant date: 06/03/2023

| Harvest date | Yield | Reporting basis | Density (lbs/cu ft) | Moisture (%) | N (mg/kg) | P (mg/kg) | K (mg/kg) | Salt (mg/kg) | TFS (%) |
|---|---|---|---|---|---|---|---|---|---|
| 09/26/2023 | 705.00 *ton* | As-is | | 66.0 | 4,520.00 | 650.00 | 4,740.00 | | 5.90 |

| | Yield (tons/acre) | Total N (lbs/acre) | Total P (lbs/acre) | Total K (lbs/acre) | Salt (lbs/acre) |
|---|---|---|---|---|---|
| Anticipated harvest content | 28.00 | 224.00 | 42.00 | 184.80 | 0.00 |
| Total actual harvest content | 25.18 | 227.61 | 32.73 | 238.69 | 1,010.16 |

## Almonds

Field name: Almonds

### 01/01/1997: Almond, in shell

Crop: Almond, in shell  Acres planted: 72  Plant date: 01/01/1997

| Harvest date | Yield | Reporting basis | Density (lbs/cu ft) | Moisture (%) | N (mg/kg) | P (mg/kg) | K (mg/kg) | Salt (mg/kg) | TFS (%) |
|---|---|---|---|---|---|---|---|---|---|
| 09/29/2023 | 386.00 *ton* | As-is | | 12.0 | 11,000.00 | 1,190.00 | 14,600.00 | | 5.70 |

| | Yield (tons/acre) | Total N (lbs/acre) | Total P (lbs/acre) | Total K (lbs/acre) | Salt (lbs/acre) |
|---|---|---|---|---|---|
| Anticipated harvest content | 6.00 | 258.00 | 43.80 | 279.00 | 0.00 |
| Total actual harvest content | 5.36 | 117.94 | 12.76 | 156.54 | 537.83 |

## Cooks

Field name: Cooks

### 10/26/2022: Oats, silage-soft dough

Crop: Oats, silage-soft dough  Acres planted: 13  Plant date: 10/26/2022

| Harvest date | Yield | Reporting basis | Density (lbs/cu ft) | Moisture (%) | N (mg/kg) | P (mg/kg) | K (mg/kg) | Salt (mg/kg) | TFS (%) |
|---|---|---|---|---|---|---|---|---|---|
| 04/29/2023 | 284.00 *ton* | As-is | | 75.2 | 4,890.00 | 820.00 | 13,600.00 | | 11.10 |

| | Yield (tons/acre) | Total N (lbs/acre) | Total P (lbs/acre) | Total K (lbs/acre) | Salt (lbs/acre) |
|---|---|---|---|---|---|
| Anticipated harvest content | 15.00 | 150.00 | 24.00 | 124.50 | 0.00 |
| Total actual harvest content | 21.85 | 213.66 | 35.83 | 594.22 | 1,202.76 |

### 06/04/2023: Corn, silage

Crop: Corn, silage  Acres planted: 13  Plant date: 06/04/2023

| Harvest date | Yield | Reporting basis | Density (lbs/cu ft) | Moisture (%) | N (mg/kg) | P (mg/kg) | K (mg/kg) | Salt (mg/kg) | TFS (%) |
|---|---|---|---|---|---|---|---|---|---|
| 09/25/2023 | 303.00 *ton* | As-is | | 64.4 | 5,020.00 | 790.00 | 3,390.00 | | 5.60 |

| | Yield (tons/acre) | Total N (lbs/acre) | Total P (lbs/acre) | Total K (lbs/acre) | Salt (lbs/acre) |
|---|---|---|---|---|---|
| Anticipated harvest content | 28.00 | 224.00 | 42.00 | 184.80 | 0.00 |
| Total actual harvest content | 23.31 | 234.01 | 36.83 | 158.03 | 929.32 |

## D. Melo

Field name: D. Melo

### 10/25/2022: Oats, silage-soft dough

Crop: Oats, silage-soft dough  Acres planted: 16  Plant date: 10/25/2022

| Harvest date | Yield | Reporting basis | Density (lbs/cu ft) | Moisture (%) | N (mg/kg) | P (mg/kg) | K (mg/kg) | Salt (mg/kg) | TFS (%) |
|---|---|---|---|---|---|---|---|---|---|
| 04/28/2023 | 274.00 *ton* | As-is | | 70.6 | 5,930.00 | 1,090.00 | 17,100.00 | | 11.10 |

| | Yield (tons/acre) | Total N (lbs/acre) | Total P (lbs/acre) | Total K (lbs/acre) | Salt (lbs/acre) |
|---|---|---|---|---|---|
| Anticipated harvest content | 15.00 | 150.00 | 24.00 | 124.50 | 0.00 |
| Total actual harvest content | 17.13 | 203.10 | 37.33 | 585.68 | 1,117.71 |

## D. Melo

### 06/02/2023: Corn, silage

Crop: Corn, silage  Acres planted: 16  Plant date: 06/02/2023

| Harvest date | Yield | Reporting basis | Density (lbs/cu ft) | Moisture (%) | N (mg/kg) | P (mg/kg) | K (mg/kg) | Salt (mg/kg) | TFS (%) |
|---|---|---|---|---|---|---|---|---|---|
| 09/25/2023 | 421.00 *ton* | As-is | | 65.8 | 4,340.00 | 750.00 | 6,490.00 | | 7.80 |

| | Yield (tons/acre) | Total N (lbs/acre) | Total P (lbs/acre) | Total K (lbs/acre) | Salt (lbs/acre) |
|---|---|---|---|---|---|
| Anticipated harvest content | 28.00 | 224.00 | 42.00 | 184.80 | 0.00 |
| Total actual harvest content | 26.31 | 228.39 | 39.47 | 341.54 | 1,403.82 |

## House

Field name: House

### 10/25/2022: Oats, silage-soft dough

Crop: Oats, silage-soft dough  Acres planted: 23  Plant date: 10/25/2022

| Harvest date | Yield | Reporting basis | Density (lbs/cu ft) | Moisture (%) | N (mg/kg) | P (mg/kg) | K (mg/kg) | Salt (mg/kg) | TFS (%) |
|---|---|---|---|---|---|---|---|---|---|
| 04/28/2023 | 363.00 *ton* | As-is | | 71.0 | 6,180.00 | 1,040.00 | 15,700.00 | | 11.60 |

| | Yield (tons/acre) | Total N (lbs/acre) | Total P (lbs/acre) | Total K (lbs/acre) | Salt (lbs/acre) |
|---|---|---|---|---|---|
| Anticipated harvest content | 15.00 | 150.00 | 24.00 | 124.50 | 0.00 |
| Total actual harvest content | 15.78 | 195.07 | 32.83 | 495.57 | 1,061.85 |

### 06/02/2023: Corn, silage

Crop: Corn, silage  Acres planted: 23  Plant date: 06/02/2023

| Harvest date | Yield | Reporting basis | Density (lbs/cu ft) | Moisture (%) | N (mg/kg) | P (mg/kg) | K (mg/kg) | Salt (mg/kg) | TFS (%) |
|---|---|---|---|---|---|---|---|---|---|
| 09/25/2023 | 622.00 *ton* | As-is | | 71.6 | 4,660.00 | 700.00 | 5,000.00 | | 7.00 |

| | Yield (tons/acre) | Total N (lbs/acre) | Total P (lbs/acre) | Total K (lbs/acre) | Salt (lbs/acre) |
|---|---|---|---|---|---|
| Anticipated harvest content | 28.00 | 224.00 | 42.00 | 184.80 | 0.00 |
| Total actual harvest content | 27.04 | 252.05 | 37.86 | 270.43 | 1,075.25 |

## J. Melo 1

Field name: J. Melo 1

### 01/22/2019: Almond, in shell

Crop: Almond, in shell  Acres planted: 19  Plant date: 01/22/2019

| Harvest date | Yield | Reporting basis | Density (lbs/cu ft) | Moisture (%) | N (mg/kg) | P (mg/kg) | K (mg/kg) | Salt (mg/kg) | TFS (%) |
|---|---|---|---|---|---|---|---|---|---|
| 09/22/2023 | 77.00 *ton* | As-is | | 11.8 | 19,400.00 | 1,990.00 | 14,600.00 | | 7.40 |

| | Yield (tons/acre) | Total N (lbs/acre) | Total P (lbs/acre) | Total K (lbs/acre) | Salt (lbs/acre) |
|---|---|---|---|---|---|
| Anticipated harvest content | 4.00 | 172.00 | 29.20 | 186.00 | 0.00 |
| Total actual harvest content | 4.05 | 157.24 | 16.13 | 118.34 | 529.01 |

## J. Melo 2

Field name: J. Melo 2

### 10/25/2022: Oats, silage-soft dough

Crop: Oats, silage-soft dough  Acres planted: 18  Plant date: 10/25/2022

| Harvest date | Yield | Reporting basis | Density (lbs/cu ft) | Moisture (%) | N (mg/kg) | P (mg/kg) | K (mg/kg) | Salt (mg/kg) | TFS (%) |
|---|---|---|---|---|---|---|---|---|---|
| 04/28/2023 | 354.00 *ton* | As-is | | 70.6 | 5,930.00 | 1,090.00 | 17,100.00 | | 11.10 |

| | Yield (tons/acre) | Total N (lbs/acre) | Total P (lbs/acre) | Total K (lbs/acre) | Salt (lbs/acre) |
|---|---|---|---|---|---|
| Anticipated harvest content | 15.00 | 150.00 | 24.00 | 124.50 | 0.00 |
| Total actual harvest content | 19.67 | 233.25 | 42.87 | 672.60 | 1,283.60 |

### 06/02/2023: Corn, silage

Crop: Corn, silage  Acres planted: 18  Plant date: 06/02/2023

| Harvest date | Yield | Reporting basis | Density (lbs/cu ft) | Moisture (%) | N (mg/kg) | P (mg/kg) | K (mg/kg) | Salt (mg/kg) | TFS (%) |
|---|---|---|---|---|---|---|---|---|---|
| 09/25/2023 | 543.00 *ton* | As-is | | 72.0 | 3,640.00 | 500.00 | 5,320.00 | | 9.10 |

| | Yield (tons/acre) | Total N (lbs/acre) | Total P (lbs/acre) | Total K (lbs/acre) | Salt (lbs/acre) |
|---|---|---|---|---|---|
| Anticipated harvest content | 28.00 | 224.00 | 42.00 | 184.80 | 0.00 |
| Total actual harvest content | 30.17 | 219.61 | 30.17 | 320.97 | 1,537.29 |

## Lagoon

Field name: Lagoon

### 10/25/2022: Oats, silage-soft dough

Crop: Oats, silage-soft dough  Acres planted: 10  Plant date: 10/25/2022

| Harvest date | Yield | Reporting basis | Density (lbs/cu ft) | Moisture (%) | N (mg/kg) | P (mg/kg) | K (mg/kg) | Salt (mg/kg) | TFS (%) |
|---|---|---|---|---|---|---|---|---|---|
| 04/28/2023 | 203.00 *ton* | As-is | | 73.6 | 5,150.00 | 870.00 | 12,900.00 | | 11.10 |

| | Yield (tons/acre) | Total N (lbs/acre) | Total P (lbs/acre) | Total K (lbs/acre) | Salt (lbs/acre) |
|---|---|---|---|---|---|
| Anticipated harvest content | 15.00 | 150.00 | 24.00 | 124.50 | 0.00 |
| Total actual harvest content | 20.30 | 209.09 | 35.32 | 523.74 | 1,189.74 |

### 06/02/2023: Corn, silage

Crop: Corn, silage  Acres planted: 10  Plant date: 06/02/2023

| Harvest date | Yield | Reporting basis | Density (lbs/cu ft) | Moisture (%) | N (mg/kg) | P (mg/kg) | K (mg/kg) | Salt (mg/kg) | TFS (%) |
|---|---|---|---|---|---|---|---|---|---|
| 09/26/2023 | 285.00 *ton* | As-is | | 67.6 | 4,800.00 | 720.00 | 5,390.00 | | 6.90 |

| | Yield (tons/acre) | Total N (lbs/acre) | Total P (lbs/acre) | Total K (lbs/acre) | Salt (lbs/acre) |
|---|---|---|---|---|---|
| Anticipated harvest content | 28.00 | 224.00 | 42.00 | 184.80 | 0.00 |
| Total actual harvest content | 28.50 | 273.60 | 41.04 | 307.23 | 1,274.29 |

## Mendosa

Field name: Mendosa

### 01/22/2019: Almond, in shell

Crop: Almond, in shell  Acres planted: 19  Plant date: 01/22/2019

| Harvest date | Yield | Reporting basis | Density (lbs/cu ft) | Moisture (%) | N (mg/kg) | P (mg/kg) | K (mg/kg) | Salt (mg/kg) | TFS (%) |
|---|---|---|---|---|---|---|---|---|---|
| 09/22/2023 | 82.00 *ton* | As-is | | 11.8 | 19,400.00 | 1,990.00 | 14,600.00 | | 7.40 |

| | Yield (tons/acre) | Total N (lbs/acre) | Total P (lbs/acre) | Total K (lbs/acre) | Salt (lbs/acre) |
|---|---|---|---|---|---|
| Anticipated harvest content | 4.00 | 172.00 | 29.20 | 186.00 | 0.00 |
| Total actual harvest content | 4.32 | 167.45 | 17.18 | 126.02 | 563.37 |

## Taylor/Moffet

Field name: Taylor/Moffet

### 10/26/2022: Oats, silage-soft dough

Crop: Oats, silage-soft dough Acres planted: 33 Plant date: 10/26/2022

| Harvest date | Yield | Reporting basis | Density (lbs/cu ft) | Moisture (%) | N (mg/kg) | P (mg/kg) | K (mg/kg) | Salt (mg/kg) | TFS (%) |
|---|---|---|---|---|---|---|---|---|---|
| 04/29/2023 | 549.85 *ton* | As-is | | 69.8 | 6,000.00 | 1,210.00 | 15,400.00 | | 10.50 |

| | Yield (tons/acre) | Total N (lbs/acre) | Total P (lbs/acre) | Total K (lbs/acre) | Salt (lbs/acre) |
|---|---|---|---|---|---|
| Anticipated harvest content | 15.00 | 150.00 | 24.00 | 124.50 | 0.00 |
| Total actual harvest content | 16.66 | 199.95 | 40.32 | 513.19 | 1,056.71 |

### 06/03/2023: Corn, silage

Crop: Corn, silage Acres planted: 33 Plant date: 06/03/2023

| Harvest date | Yield | Reporting basis | Density (lbs/cu ft) | Moisture (%) | N (mg/kg) | P (mg/kg) | K (mg/kg) | Salt (mg/kg) | TFS (%) |
|---|---|---|---|---|---|---|---|---|---|
| 09/25/2023 | 917.00 *ton* | As-is | | 70.0 | 4,100.00 | 600.00 | 5,400.00 | | 7.50 |

| | Yield (tons/acre) | Total N (lbs/acre) | Total P (lbs/acre) | Total K (lbs/acre) | Salt (lbs/acre) |
|---|---|---|---|---|---|
| Anticipated harvest content | 28.00 | 224.00 | 42.00 | 184.80 | 0.00 |
| Total actual harvest content | 27.79 | 227.86 | 33.35 | 300.11 | 1,250.45 |

## The 10

Field name: The 10

### 10/26/2022: Oats, silage-soft dough

Crop: Oats, silage-soft dough Acres planted: 9 Plant date: 10/26/2022

| Harvest date | Yield | Reporting basis | Density (lbs/cu ft) | Moisture (%) | N (mg/kg) | P (mg/kg) | K (mg/kg) | Salt (mg/kg) | TFS (%) |
|---|---|---|---|---|---|---|---|---|---|
| 04/29/2023 | 160.00 *ton* | As-is | | 70.8 | 6,300.00 | 990.00 | 14,600.00 | | 10.60 |

| | Yield (tons/acre) | Total N (lbs/acre) | Total P (lbs/acre) | Total K (lbs/acre) | Salt (lbs/acre) |
|---|---|---|---|---|---|
| Anticipated harvest content | 15.00 | 150.00 | 24.00 | 124.50 | 0.00 |
| Total actual harvest content | 17.78 | 224.00 | 35.20 | 519.11 | 1,100.52 |

## The 10

### 06/04/2023: Corn, silage

Crop: Corn, silage  Acres planted: 9  Plant date: 06/04/2023

| Harvest date | Yield | Reporting basis | Density (lbs/cu ft) | Moisture (%) | N (mg/kg) | P (mg/kg) | K (mg/kg) | Salt (mg/kg) | TFS (%) |
|---|---|---|---|---|---|---|---|---|---|
| 09/25/2023 | 266.00 *ton* | As-is | | 70.2 | 4,260.00 | 720.00 | 4,680.00 | | 7.70 |

| | Yield (tons/acre) | Total N (lbs/acre) | Total P (lbs/acre) | Total K (lbs/acre) | Salt (lbs/acre) |
|---|---|---|---|---|---|
| Anticipated harvest content | 28.00 | 224.00 | 42.00 | 184.80 | 0.00 |
| Total actual harvest content | 29.56 | 251.81 | 42.56 | 276.64 | 1,356.36 |

## Washington

Field name: Washington

### 10/28/2022: Oats, silage-soft dough

Crop: Oats, silage-soft dough  Acres planted: 18  Plant date: 10/28/2022

| Harvest date | Yield | Reporting basis | Density (lbs/cu ft) | Moisture (%) | N (mg/kg) | P (mg/kg) | K (mg/kg) | Salt (mg/kg) | TFS (%) |
|---|---|---|---|---|---|---|---|---|---|
| 04/30/2023 | 247.93 *ton* | As-is | | 51.4 | 9,870.00 | 1,170.00 | 10,200.00 | | 6.99 |

| | Yield (tons/acre) | Total N (lbs/acre) | Total P (lbs/acre) | Total K (lbs/acre) | Salt (lbs/acre) |
|---|---|---|---|---|---|
| Anticipated harvest content | 15.00 | 150.00 | 24.00 | 124.50 | 0.00 |
| Total actual harvest content | 13.77 | 271.90 | 32.23 | 280.99 | 935.84 |

### 06/05/2023: Corn, silage

Crop: Corn, silage  Acres planted: 18  Plant date: 06/05/2023

| Harvest date | Yield | Reporting basis | Density (lbs/cu ft) | Moisture (%) | N (mg/kg) | P (mg/kg) | K (mg/kg) | Salt (mg/kg) | TFS (%) |
|---|---|---|---|---|---|---|---|---|---|
| 09/26/2023 | 432.00 *ton* | As-is | | 61.8 | 4,700.00 | 710.00 | 3,990.00 | | 5.10 |

| | Yield (tons/acre) | Total N (lbs/acre) | Total P (lbs/acre) | Total K (lbs/acre) | Salt (lbs/acre) |
|---|---|---|---|---|---|
| Anticipated harvest content | 28.00 | 224.00 | 42.00 | 184.80 | 0.00 |
| Total actual harvest content | 24.00 | 225.60 | 34.08 | 191.52 | 935.14 |

NUTRIENT BUDGET

## A. LAND APPLICATIONS

### 2301 - 10/26/2022: Oats, silage-soft dough

Field name: 2301

Crop: Oats, silage-soft dough — Plant date: 10/26/2022

| Application date | Application method | Precipitation 24 hours prior | Precipitation during application | Precipitation 24 hours following |
|---|---|---|---|---|
| 10/09/2022 | Surface (irrigation) | No precipitation | No precipitation | No precipitation |

| Source description | Material type | N (lbs/acre) | P (lbs/acre) | K (lbs/acre) | Salt (lbs/acre) | Amount |
|---|---|---|---|---|---|---|
| WWS | Process wastewater | 84.12 | 6.29 | 136.54 | 961.34 | 504,000.00 *gal* |
| TID Lateral 3 | Surface water | 0.00 | 0.00 | 0.00 | 0.00 | 3,780,000.00 *gal* |
| Application event totals | | 84.12 | 6.29 | 136.54 | 961.34 | |

| Application date | Application method | Precipitation 24 hours prior | Precipitation during application | Precipitation 24 hours following |
|---|---|---|---|---|
| 02/09/2023 | Surface (irrigation) | No precipitation | No precipitation | No precipitation |

| Source description | Material type | N (lbs/acre) | P (lbs/acre) | K (lbs/acre) | Salt (lbs/acre) | Amount |
|---|---|---|---|---|---|---|
| WWS | Process wastewater | 73.04 | 10.04 | 82.23 | 557.92 | 288,000.00 *gal* |
| IW | Ground water | 13.41 | 0.00 | 0.00 | 137.33 | 360,000.00 *gal* |
| Application event totals | | 86.46 | 10.04 | 82.23 | 695.26 | |

| Application date | Application method | Precipitation 24 hours prior | Precipitation during application | Precipitation 24 hours following |
|---|---|---|---|---|
| 04/05/2023 | Surface (irrigation) | No precipitation | No precipitation | No precipitation |

| Source description | Material type | N (lbs/acre) | P (lbs/acre) | K (lbs/acre) | Salt (lbs/acre) | Amount |
|---|---|---|---|---|---|---|
| WWS | Process wastewater | 94.76 | 3.93 | 125.40 | 1,228.29 | 432,000.00 *gal* |
| TID Lateral 3 | Surface water | 0.00 | 0.00 | 0.00 | 26.07 | 3,240,000.00 *gal* |
| Application event totals | | 94.76 | 3.93 | 125.40 | 1,254.36 | |

### 2301 - 06/03/2023: Corn, silage

Field name: 2301

Crop: Corn, silage — Plant date: 06/03/2023

| Application date | Application method | Precipitation 24 hours prior | Precipitation during application | Precipitation 24 hours following |
|---|---|---|---|---|

## 2301 - 06/03/2023: Corn, silage

| Application date | Application method | Precipitation 24 hours prior | Precipitation during application | Precipitation 24 hours following |
|---|---|---|---|---|
| 05/25/2023 | Surface (irrigation) | No precipitation | No precipitation | No precipitation |

| Source description | Material type | N (lbs/acre) | P (lbs/acre) | K (lbs/acre) | Salt (lbs/acre) | Amount |
|---|---|---|---|---|---|---|
| WWS | Process wastewater | 126.35 | 5.24 | 167.21 | 1,637.72 | 576,000.00 *gal* |
| TID Lateral 3 | Surface water | 0.00 | 0.00 | 0.00 | 34.76 | 4,320,000.00 *gal* |
| Application event totals | | 126.35 | 5.24 | 167.21 | 1,672.48 | |

| Application date | Application method | Precipitation 24 hours prior | Precipitation during application | Precipitation 24 hours following |
|---|---|---|---|---|
| 06/03/2023 | Sidedress | No precipitation | No precipitation | No precipitation |

| Source description | Material type | N (lbs/acre) | P (lbs/acre) | K (lbs/acre) | Salt (lbs/acre) | Amount |
|---|---|---|---|---|---|---|
| 15-15-15 | Solid commercial fertilizer | 15.00 | 6.60 | 12.50 | 0.00 | |
| Application event totals | | 15.00 | 6.60 | 12.50 | 0.00 | |

| Application date | Application method | Precipitation 24 hours prior | Precipitation during application | Precipitation 24 hours following |
|---|---|---|---|---|
| 07/04/2023 | Surface (irrigation) | No precipitation | No precipitation | No precipitation |

| Source description | Material type | N (lbs/acre) | P (lbs/acre) | K (lbs/acre) | Salt (lbs/acre) | Amount |
|---|---|---|---|---|---|---|
| TID Lateral 3 | Surface water | 0.00 | 0.00 | 0.00 | 31.50 | 3,915,000.00 *gal* |
| Application event totals | | 0.00 | 0.00 | 0.00 | 31.50 | |

| Application date | Application method | Precipitation 24 hours prior | Precipitation during application | Precipitation 24 hours following |
|---|---|---|---|---|
| 07/15/2023 | Surface (irrigation) | No precipitation | No precipitation | No precipitation |

| Source description | Material type | N (lbs/acre) | P (lbs/acre) | K (lbs/acre) | Salt (lbs/acre) | Amount |
|---|---|---|---|---|---|---|
| WWS | Process wastewater | 90.66 | 5.93 | 170.17 | 1,135.37 | 468,000.00 *gal* |
| TID Lateral 3 | Surface water | 0.00 | 0.00 | 0.00 | 28.24 | 3,510,000.00 *gal* |
| Application event totals | | 90.66 | 5.93 | 170.17 | 1,163.62 | |

| Application date | Application method | Precipitation 24 hours prior | Precipitation during application | Precipitation 24 hours following |
|---|---|---|---|---|
| 07/26/2023 | Surface (irrigation) | No precipitation | No precipitation | No precipitation |

| Source description | Material type | N (lbs/acre) | P (lbs/acre) | K (lbs/acre) | Salt (lbs/acre) | Amount |
|---|---|---|---|---|---|---|
| TID Lateral 3 | Surface water | 0.00 | 0.00 | 0.00 | 30.42 | 3,780,000.00 *gal* |
| Application event totals | | 0.00 | 0.00 | 0.00 | 30.42 | |

## 2301 - 06/03/2023: Corn, silage

| Application date | Application method | Precipitation 24 hours prior | Precipitation during application | Precipitation 24 hours following |
|---|---|---|---|---|
| 08/06/2023 | Surface (irrigation) | No precipitation | No precipitation | No precipitation |

| Source description | Material type | N (lbs/acre) | P (lbs/acre) | K (lbs/acre) | Salt (lbs/acre) | Amount |
|---|---|---|---|---|---|---|
| WWS | Process wastewater | 83.69 | 5.47 | 157.08 | 1,048.04 | 432,000.00 *gal* |
| TID Lateral 3 | Surface water | 0.00 | 0.00 | 0.00 | 26.07 | 3,240,000.00 *gal* |
| Application event totals | | 83.69 | 5.47 | 157.08 | 1,074.11 | |

| Application date | Application method | Precipitation 24 hours prior | Precipitation during application | Precipitation 24 hours following |
|---|---|---|---|---|
| 08/17/2023 | Surface (irrigation) | No precipitation | No precipitation | No precipitation |

| Source description | Material type | N (lbs/acre) | P (lbs/acre) | K (lbs/acre) | Salt (lbs/acre) | Amount |
|---|---|---|---|---|---|---|
| TID Lateral 3 | Surface water | 0.00 | 0.00 | 0.00 | 27.16 | 3,375,000.00 *gal* |
| Application event totals | | 0.00 | 0.00 | 0.00 | 27.16 | |

| Application date | Application method | Precipitation 24 hours prior | Precipitation during application | Precipitation 24 hours following |
|---|---|---|---|---|
| 08/28/2023 | Surface (irrigation) | No precipitation | No precipitation | No precipitation |

| Source description | Material type | N (lbs/acre) | P (lbs/acre) | K (lbs/acre) | Salt (lbs/acre) | Amount |
|---|---|---|---|---|---|---|
| TID Lateral 3 | Surface water | 0.00 | 0.00 | 0.00 | 26.07 | 3,240,000.00 *gal* |
| Application event totals | | 0.00 | 0.00 | 0.00 | 26.07 | |

| Application date | Application method | Precipitation 24 hours prior | Precipitation during application | Precipitation 24 hours following |
|---|---|---|---|---|
| 09/08/2023 | Surface (irrigation) | No precipitation | No precipitation | No precipitation |

| Source description | Material type | N (lbs/acre) | P (lbs/acre) | K (lbs/acre) | Salt (lbs/acre) | Amount |
|---|---|---|---|---|---|---|
| TID Lateral 3 | Surface water | 0.00 | 0.00 | 0.00 | 26.07 | 3,240,000.00 *gal* |
| Application event totals | | 0.00 | 0.00 | 0.00 | 26.07 | |

## Almonds - 01/01/1997: Almond, in shell

Field name: Almonds

Crop: Almond, in shell

Plant date: 01/01/1997

| Application date | Application method | Precipitation 24 hours prior | Precipitation during application | Precipitation 24 hours following |
|---|---|---|---|---|
| 11/16/2022 | Broadcast/incorporate | No precipitation | No precipitation | No precipitation |

| Source description | Material type | N (lbs/acre) | P (lbs/acre) | K (lbs/acre) | Salt (lbs/acre) | Amount |
|---|---|---|---|---|---|---|
| Separator Solids | Separator solids | 62.49 | 10.78 | 29.14 | 388.53 | 470.00 *ton* |
| Application event totals | | 62.49 | 10.78 | 29.14 | 388.53 | |

## Almonds - 01/01/1997: Almond, in shell

| Application date | Application method | Precipitation 24 hours prior | Precipitation during application | Precipitation 24 hours following |
|---|---|---|---|---|
| 04/18/2023 | Surface (irrigation) | No precipitation | No precipitation | No precipitation |

| Source description | Material type | N (lbs/acre) | P (lbs/acre) | K (lbs/acre) | Salt (lbs/acre) | Amount |
|---|---|---|---|---|---|---|
| TID Lateral 3 | Surface water | 0.00 | 0.00 | 0.00 | 38.87 | 12,420,000.00 *gal* |
| Application event totals | | 0.00 | 0.00 | 0.00 | 38.87 | |

| Application date | Application method | Precipitation 24 hours prior | Precipitation during application | Precipitation 24 hours following |
|---|---|---|---|---|
| 04/18/2023 | Sidedress | No precipitation | No precipitation | No precipitation |

| Source description | Material type | N (lbs/acre) | P (lbs/acre) | K (lbs/acre) | Salt (lbs/acre) | Amount |
|---|---|---|---|---|---|---|
| UN32 | Solid commercial fertilizer | 25.60 | 0.00 | 0.00 | 0.00 | |
| Application event totals | | 25.60 | 0.00 | 0.00 | 0.00 | |

| Application date | Application method | Precipitation 24 hours prior | Precipitation during application | Precipitation 24 hours following |
|---|---|---|---|---|
| 05/09/2023 | Surface (irrigation) | No precipitation | No precipitation | No precipitation |

| Source description | Material type | N (lbs/acre) | P (lbs/acre) | K (lbs/acre) | Salt (lbs/acre) | Amount |
|---|---|---|---|---|---|---|
| TID Lateral 4 | Surface water | 0.00 | 0.00 | 0.00 | 35.80 | 11,880,000.00 *gal* |
| Application event totals | | 0.00 | 0.00 | 0.00 | 35.80 | |

| Application date | Application method | Precipitation 24 hours prior | Precipitation during application | Precipitation 24 hours following |
|---|---|---|---|---|
| 05/30/2023 | Surface (irrigation) | No precipitation | No precipitation | No precipitation |

| Source description | Material type | N (lbs/acre) | P (lbs/acre) | K (lbs/acre) | Salt (lbs/acre) | Amount |
|---|---|---|---|---|---|---|
| TID Lateral 4 | Surface water | 0.00 | 0.00 | 0.00 | 35.80 | 11,880,000.00 *gal* |
| Application event totals | | 0.00 | 0.00 | 0.00 | 35.80 | |

| Application date | Application method | Precipitation 24 hours prior | Precipitation during application | Precipitation 24 hours following |
|---|---|---|---|---|
| 05/30/2023 | Sidedress | No precipitation | No precipitation | No precipitation |

| Source description | Material type | N (lbs/acre) | P (lbs/acre) | K (lbs/acre) | Salt (lbs/acre) | Amount |
|---|---|---|---|---|---|---|
| UN32 | Solid commercial fertilizer | 25.60 | 0.00 | 0.00 | 0.00 | |
| Application event totals | | 25.60 | 0.00 | 0.00 | 0.00 | |

| Application date | Application method | Precipitation 24 hours prior | Precipitation during application | Precipitation 24 hours following |
|---|---|---|---|---|
| 06/20/2023 | Surface (irrigation) | No precipitation | No precipitation | No precipitation |

| Source description | Material type | N (lbs/acre) | P (lbs/acre) | K (lbs/acre) | Salt (lbs/acre) | Amount |
|---|---|---|---|---|---|---|
| TID Lateral 4 | Surface water | 0.00 | 0.00 | 0.00 | 32.55 | 10,800,000.00 *gal* |
| Application event totals | | 0.00 | 0.00 | 0.00 | 32.55 | |

## Almonds - 01/01/1997: Almond, in shell

| Application date | Application method | Precipitation 24 hours prior | Precipitation during application | Precipitation 24 hours following |
|---|---|---|---|---|
| 07/11/2023 | Surface (irrigation) | No precipitation | No precipitation | No precipitation |

| Source description | Material type | N (lbs/acre) | P (lbs/acre) | K (lbs/acre) | Salt (lbs/acre) | Amount |
|---|---|---|---|---|---|---|
| TID Lateral 4 | Surface water | 0.00 | 0.00 | 0.00 | 32.55 | 10,800,000.00 *gal* |
| Application event totals | | 0.00 | 0.00 | 0.00 | 32.55 | |

| Application date | Application method | Precipitation 24 hours prior | Precipitation during application | Precipitation 24 hours following |
|---|---|---|---|---|
| 08/01/2023 | Surface (irrigation) | No precipitation | No precipitation | No precipitation |

| Source description | Material type | N (lbs/acre) | P (lbs/acre) | K (lbs/acre) | Salt (lbs/acre) | Amount |
|---|---|---|---|---|---|---|
| TID Lateral 4 | Surface water | 0.00 | 0.00 | 0.00 | 32.55 | 10,800,000.00 *gal* |
| Application event totals | | 0.00 | 0.00 | 0.00 | 32.55 | |

| Application date | Application method | Precipitation 24 hours prior | Precipitation during application | Precipitation 24 hours following |
|---|---|---|---|---|
| 08/22/2023 | Surface (irrigation) | No precipitation | No precipitation | No precipitation |

| Source description | Material type | N (lbs/acre) | P (lbs/acre) | K (lbs/acre) | Salt (lbs/acre) | Amount |
|---|---|---|---|---|---|---|
| TID Lateral 4 | Surface water | 0.00 | 0.00 | 0.00 | 32.55 | 10,800,000.00 *gal* |
| Application event totals | | 0.00 | 0.00 | 0.00 | 32.55 | |

## Cooks - 10/26/2022: Oats, silage-soft dough

Field name: Cooks

Crop: Oats, silage-soft dough

Plant date: 10/26/2022

| Application date | Application method | Precipitation 24 hours prior | Precipitation during application | Precipitation 24 hours following |
|---|---|---|---|---|
| 10/09/2022 | Surface (irrigation) | No precipitation | No precipitation | No precipitation |

| Source description | Material type | N (lbs/acre) | P (lbs/acre) | K (lbs/acre) | Salt (lbs/acre) | Amount |
|---|---|---|---|---|---|---|
| WWS | Process wastewater | 110.00 | 8.23 | 178.55 | 1,257.14 | 306,000.00 *gal* |
| TID Lateral 4 | Surface water | 0.00 | 0.00 | 0.00 | 0.00 | 2,295,000.00 *gal* |
| Application event totals | | 110.00 | 8.23 | 178.55 | 1,257.14 | |

## Cooks - 10/26/2022: Oats, silage-soft dough

| Application date | Application method | Precipitation 24 hours prior | Precipitation during application | Precipitation 24 hours following |
|---|---|---|---|---|
| 04/05/2023 | Surface (irrigation) | No precipitation | No precipitation | No precipitation |

| Source description | Material type | N (lbs/acre) | P (lbs/acre) | K (lbs/acre) | Salt (lbs/acre) | Amount |
|---|---|---|---|---|---|---|
| WWS | Process wastewater | 136.07 | 5.64 | 180.07 | 1,763.70 | 288,000.00 *gal* |
| TID Lateral 3 | Surface water | 0.00 | 0.00 | 0.00 | 37.44 | 2,160,000.00 *gal* |
| Application event totals | | 136.07 | 5.64 | 180.07 | 1,801.13 | |

## Cooks - 06/04/2023: Corn, silage

Field name: Cooks

Crop: Corn, silage

Plant date: 06/04/2023

| Application date | Application method | Precipitation 24 hours prior | Precipitation during application | Precipitation 24 hours following |
|---|---|---|---|---|
| 05/25/2023 | Surface (irrigation) | No precipitation | No precipitation | No precipitation |

| Source description | Material type | N (lbs/acre) | P (lbs/acre) | K (lbs/acre) | Salt (lbs/acre) | Amount |
|---|---|---|---|---|---|---|
| WWS | Process wastewater | 136.07 | 5.64 | 180.07 | 1,763.70 | 288,000.00 *gal* |
| TID Lateral 4 | Surface water | 0.00 | 0.00 | 0.00 | 38.30 | 2,295,000.00 *gal* |
| Application event totals | | 136.07 | 5.64 | 180.07 | 1,802.00 | |

| | | | | |
|---|---|---|---|---|
| 06/04/2023 | Sidedress | No precipitation | No precipitation | No precipitation |

| Source description | Material type | N (lbs/acre) | P (lbs/acre) | K (lbs/acre) | Salt (lbs/acre) | Amount |
|---|---|---|---|---|---|---|
| 15-15-15 | Solid commercial fertilizer | 15.00 | 6.60 | 12.50 | 0.00 | |
| Application event totals | | 15.00 | 6.60 | 12.50 | 0.00 | |

| | | | | |
|---|---|---|---|---|
| 07/04/2023 | Surface (irrigation) | No precipitation | No precipitation | No precipitation |

| Source description | Material type | N (lbs/acre) | P (lbs/acre) | K (lbs/acre) | Salt (lbs/acre) | Amount |
|---|---|---|---|---|---|---|
| TID Lateral 4 | Surface water | 0.00 | 0.00 | 0.00 | 33.80 | 2,025,000.00 *gal* |
| Application event totals | | 0.00 | 0.00 | 0.00 | 33.80 | |

Cooks - 06/04/2023: Corn, silage

| Application date | Application method | Precipitation 24 hours prior | Precipitation during application | Precipitation 24 hours following |
|---|---|---|---|---|
| 07/15/2023 | Surface (irrigation) | No precipitation | No precipitation | No precipitation |

| Source description | Material type | N (lbs/acre) | P (lbs/acre) | K (lbs/acre) | Salt (lbs/acre) | Amount |
|---|---|---|---|---|---|---|
| WWS | Process wastewater | 90.13 | 5.89 | 169.16 | 1,128.65 | 216,000.00 *gal* |
| TID Lateral 4 | Surface water | 0.00 | 0.00 | 0.00 | 27.04 | 1,620,000.00 *gal* |
| Application event totals | | 90.13 | 5.89 | 169.16 | 1,155.69 | |

| | | | | |
|---|---|---|---|---|
| 07/26/2023 | Surface (irrigation) | No precipitation | No precipitation | No precipitation |

| Source description | Material type | N (lbs/acre) | P (lbs/acre) | K (lbs/acre) | Salt (lbs/acre) | Amount |
|---|---|---|---|---|---|---|
| TID Lateral 4 | Surface water | 0.00 | 0.00 | 0.00 | 27.04 | 1,620,000.00 *gal* |
| Application event totals | | 0.00 | 0.00 | 0.00 | 27.04 | |

| | | | | |
|---|---|---|---|---|
| 08/06/2023 | Surface (irrigation) | No precipitation | No precipitation | No precipitation |

| Source description | Material type | N (lbs/acre) | P (lbs/acre) | K (lbs/acre) | Salt (lbs/acre) | Amount |
|---|---|---|---|---|---|---|
| WWS | Process wastewater | 75.11 | 4.91 | 140.97 | 940.55 | 180,000.00 *gal* |
| TID Lateral 4 | Surface water | 0.00 | 0.00 | 0.00 | 22.53 | 1,350,000.00 *gal* |
| Application event totals | | 75.11 | 4.91 | 140.97 | 963.08 | |

| | | | | |
|---|---|---|---|---|
| 08/17/2023 | Surface (irrigation) | No precipitation | No precipitation | No precipitation |

| Source description | Material type | N (lbs/acre) | P (lbs/acre) | K (lbs/acre) | Salt (lbs/acre) | Amount |
|---|---|---|---|---|---|---|
| TID Lateral 4 | Surface water | 0.00 | 0.00 | 0.00 | 27.04 | 1,620,000.00 *gal* |
| Application event totals | | 0.00 | 0.00 | 0.00 | 27.04 | |

| | | | | |
|---|---|---|---|---|
| 08/28/2023 | Surface (irrigation) | No precipitation | No precipitation | No precipitation |

| Source description | Material type | N (lbs/acre) | P (lbs/acre) | K (lbs/acre) | Salt (lbs/acre) | Amount |
|---|---|---|---|---|---|---|
| TID Lateral 4 | Surface water | 0.00 | 0.00 | 0.00 | 27.04 | 1,620,000.00 *gal* |
| Application event totals | | 0.00 | 0.00 | 0.00 | 27.04 | |

| | | | | |
|---|---|---|---|---|
| 09/08/2023 | Surface (irrigation) | No precipitation | No precipitation | No precipitation |

| Source description | Material type | N (lbs/acre) | P (lbs/acre) | K (lbs/acre) | Salt (lbs/acre) | Amount |
|---|---|---|---|---|---|---|
| TID Lateral 4 | Surface water | 0.00 | 0.00 | 0.00 | 27.04 | 1,620,000.00 *gal* |
| Application event totals | | 0.00 | 0.00 | 0.00 | 27.04 | |

## D. Melo - 10/25/2022: Oats, silage-soft dough

Field name: D. Melo

Crop: Oats, silage-soft dough

Plant date: 10/25/2022

| Application date | Application method | Precipitation 24 hours prior | Precipitation during application | Precipitation 24 hours following |
|---|---|---|---|---|
| 10/07/2022 | Surface (irrigation) | No precipitation | No precipitation | No precipitation |

| Source description | Material type | N (lbs/acre) | P (lbs/acre) | K (lbs/acre) | Salt (lbs/acre) | Amount |
|---|---|---|---|---|---|---|
| WWS | Process wastewater | 84.12 | 6.29 | 136.54 | 961.34 | 288,000.00 *gal* |
| TID Lateral 3 | Surface water | 0.00 | 0.00 | 0.00 | 0.00 | 2,160,000.00 *gal* |
| Application event totals | | 84.12 | 6.29 | 136.54 | 961.34 | |

| Application date | Application method | Precipitation 24 hours prior | Precipitation during application | Precipitation 24 hours following |
|---|---|---|---|---|
| 02/09/2023 | Surface (irrigation) | No precipitation | No precipitation | No precipitation |

| Source description | Material type | N (lbs/acre) | P (lbs/acre) | K (lbs/acre) | Salt (lbs/acre) | Amount |
|---|---|---|---|---|---|---|
| WWS | Process wastewater | 63.91 | 8.79 | 71.95 | 488.18 | 144,000.00 *gal* |
| IW | Ground water | 11.74 | 0.00 | 0.00 | 120.17 | 180,000.00 *gal* |
| Application event totals | | 75.65 | 8.79 | 71.95 | 608.35 | |

| Application date | Application method | Precipitation 24 hours prior | Precipitation during application | Precipitation 24 hours following |
|---|---|---|---|---|
| 04/03/2023 | Surface (irrigation) | No precipitation | No precipitation | No precipitation |

| Source description | Material type | N (lbs/acre) | P (lbs/acre) | K (lbs/acre) | Salt (lbs/acre) | Amount |
|---|---|---|---|---|---|---|
| WWS | Process wastewater | 110.55 | 4.58 | 146.30 | 1,433.00 | 288,000.00 *gal* |
| TID Lateral 3 | Surface water | 0.00 | 0.00 | 0.00 | 30.42 | 2,160,000.00 *gal* |
| Application event totals | | 110.55 | 4.58 | 146.30 | 1,463.42 | |

## D. Melo - 06/02/2023: Corn, silage

Field name: D. Melo

Crop: Corn, silage

Plant date: 06/02/2023

| Application date | Application method | Precipitation 24 hours prior | Precipitation during application | Precipitation 24 hours following |
|---|---|---|---|---|
| 05/23/2023 | Surface (irrigation) | No precipitation | No precipitation | No precipitation |

| Source description | Material type | N (lbs/acre) | P (lbs/acre) | K (lbs/acre) | Salt (lbs/acre) | Amount |
|---|---|---|---|---|---|---|
| WWS | Process wastewater | 124.37 | 5.15 | 164.59 | 1,612.13 | 324,000.00 *gal* |
| TID Lateral 3 | Surface water | 0.00 | 0.00 | 0.00 | 34.22 | 2,430,000.00 *gal* |
| Application event totals | | 124.37 | 5.15 | 164.59 | 1,646.35 | |

D. Melo - 06/02/2023: Corn, silage

| Application date | Application method | Precipitation 24 hours prior | Precipitation during application | Precipitation 24 hours following |
|---|---|---|---|---|
| 06/02/2023 | Sidedress | No precipitation | No precipitation | No precipitation |

| Source description | Material type | N (lbs/acre) | P (lbs/acre) | K (lbs/acre) | Salt (lbs/acre) | Amount |
|---|---|---|---|---|---|---|
| 15-15-15 | Solid commercial fertilizer | 15.00 | 6.60 | 12.50 | 0.00 | |
| Application event totals | | 15.00 | 6.60 | 12.50 | 0.00 | |

| | | | | |
|---|---|---|---|---|
| 07/02/2023 | Surface (irrigation) | No precipitation | No precipitation | No precipitation |

| Source description | Material type | N (lbs/acre) | P (lbs/acre) | K (lbs/acre) | Salt (lbs/acre) | Amount |
|---|---|---|---|---|---|---|
| TID Lateral 3 | Surface water | 0.00 | 0.00 | 0.00 | 30.42 | 2,160,000.00 *gal* |
| Application event totals | | 0.00 | 0.00 | 0.00 | 30.42 | |

| | | | | |
|---|---|---|---|---|
| 07/13/2023 | Surface (irrigation) | No precipitation | No precipitation | No precipitation |

| Source description | Material type | N (lbs/acre) | P (lbs/acre) | K (lbs/acre) | Salt (lbs/acre) | Amount |
|---|---|---|---|---|---|---|
| WWS | Process wastewater | 91.53 | 5.98 | 171.80 | 1,146.29 | 270,000.00 *gal* |
| TID Lateral 3 | Surface water | 0.00 | 0.00 | 0.00 | 28.52 | 2,025,000.00 *gal* |
| Application event totals | | 91.53 | 5.98 | 171.80 | 1,174.81 | |

| | | | | |
|---|---|---|---|---|
| 07/24/2023 | Surface (irrigation) | No precipitation | No precipitation | No precipitation |

| Source description | Material type | N (lbs/acre) | P (lbs/acre) | K (lbs/acre) | Salt (lbs/acre) | Amount |
|---|---|---|---|---|---|---|
| TID Lateral 3 | Surface water | 0.00 | 0.00 | 0.00 | 30.42 | 2,160,000.00 *gal* |
| Application event totals | | 0.00 | 0.00 | 0.00 | 30.42 | |

| | | | | |
|---|---|---|---|---|
| 08/04/2023 | Surface (irrigation) | No precipitation | No precipitation | No precipitation |

| Source description | Material type | N (lbs/acre) | P (lbs/acre) | K (lbs/acre) | Salt (lbs/acre) | Amount |
|---|---|---|---|---|---|---|
| WWS | Process wastewater | 85.43 | 5.59 | 160.35 | 1,069.87 | 252,000.00 *gal* |
| TID Lateral 3 | Surface water | 0.00 | 0.00 | 0.00 | 26.62 | 1,890,000.00 *gal* |
| Application event totals | | 85.43 | 5.59 | 160.35 | 1,096.49 | |

| | | | | |
|---|---|---|---|---|
| 08/15/2023 | Surface (irrigation) | No precipitation | No precipitation | No precipitation |

| Source description | Material type | N (lbs/acre) | P (lbs/acre) | K (lbs/acre) | Salt (lbs/acre) | Amount |
|---|---|---|---|---|---|---|
| TID Lateral 3 | Surface water | 0.00 | 0.00 | 0.00 | 26.62 | 1,890,000.00 *gal* |
| Application event totals | | 0.00 | 0.00 | 0.00 | 26.62 | |

## D. Melo - 06/02/2023: Corn, silage

| Application date | Application method | Precipitation 24 hours prior | Precipitation during application | Precipitation 24 hours following |
|---|---|---|---|---|
| 08/26/2023 | Surface (irrigation) | No precipitation | No precipitation | No precipitation |

| Source description | Material type | N (lbs/acre) | P (lbs/acre) | K (lbs/acre) | Salt (lbs/acre) | Amount |
|---|---|---|---|---|---|---|
| TID Lateral 3 | Surface water | 0.00 | 0.00 | 0.00 | 22.81 | 1,620,000.00 *gal* |
| Application event totals | | 0.00 | 0.00 | 0.00 | 22.81 | |

| | | | | |
|---|---|---|---|---|
| 09/06/2023 | Surface (irrigation) | No precipitation | No precipitation | No precipitation |

| Source description | Material type | N (lbs/acre) | P (lbs/acre) | K (lbs/acre) | Salt (lbs/acre) | Amount |
|---|---|---|---|---|---|---|
| TID Lateral 3 | Surface water | 0.00 | 0.00 | 0.00 | 22.81 | 1,620,000.00 *gal* |
| Application event totals | | 0.00 | 0.00 | 0.00 | 22.81 | |

## House - 10/25/2022: Oats, silage-soft dough

Field name: House

Crop: Oats, silage-soft dough

Plant date: 10/25/2022

| Application date | Application method | Precipitation 24 hours prior | Precipitation during application | Precipitation 24 hours following |
|---|---|---|---|---|
| 10/08/2002 | Surface (irrigation) | No precipitation | No precipitation | No precipitation |

| Source description | Material type | N (lbs/acre) | P (lbs/acre) | K (lbs/acre) | Salt (lbs/acre) | Amount |
|---|---|---|---|---|---|---|
| WWS | Process wastewater | 87.77 | 6.57 | 142.48 | 1,003.14 | 432,000.00 *gal* |
| TID Lateral 3 | Surface water | 0.00 | 0.00 | 0.00 | 0.00 | 3,240,000.00 *gal* |
| Application event totals | | 87.77 | 6.57 | 142.48 | 1,003.14 | |

| | | | | |
|---|---|---|---|---|
| 02/09/2023 | Surface (irrigation) | No precipitation | No precipitation | No precipitation |

| Source description | Material type | N (lbs/acre) | P (lbs/acre) | K (lbs/acre) | Salt (lbs/acre) | Amount |
|---|---|---|---|---|---|---|
| WWS | Process wastewater | 44.46 | 6.11 | 50.05 | 339.61 | 144,000.00 *gal* |
| IW | Ground water | 8.16 | 0.00 | 0.00 | 83.60 | 180,000.00 *gal* |
| Application event totals | | 52.63 | 6.11 | 50.05 | 423.20 | |

## House - 10/25/2022: Oats, silage-soft dough

| Application date | Application method | Precipitation 24 hours prior | Precipitation during application | Precipitation 24 hours following |
|---|---|---|---|---|
| 04/04/2023 | Surface (irrigation) | No precipitation | No precipitation | No precipitation |

| Source description | Material type | N (lbs/acre) | P (lbs/acre) | K (lbs/acre) | Salt (lbs/acre) | Amount |
|---|---|---|---|---|---|---|
| WWS | Process wastewater | 115.36 | 4.78 | 152.67 | 1,495.31 | 432,000.00 *gal* |
| TID Lateral 3 | Surface water | 0.00 | 0.00 | 0.00 | 31.74 | 3,240,000.00 *gal* |
| Application event totals | | 115.36 | 4.78 | 152.67 | 1,527.05 | |

## House - 06/02/2023: Corn, silage

Field name: House

Crop: Corn, silage

Plant date: 06/02/2023

| Application date | Application method | Precipitation 24 hours prior | Precipitation during application | Precipitation 24 hours following |
|---|---|---|---|---|
| 05/24/2023 | Surface (irrigation) | No precipitation | No precipitation | No precipitation |

| Source description | Material type | N (lbs/acre) | P (lbs/acre) | K (lbs/acre) | Salt (lbs/acre) | Amount |
|---|---|---|---|---|---|---|
| WWS | Process wastewater | 139.39 | 5.78 | 184.47 | 1,806.83 | 522,000.00 *gal* |
| TID Lateral 3 | Surface water | 0.00 | 0.00 | 0.00 | 38.35 | 3,915,000.00 *gal* |
| Application event totals | | 139.39 | 5.78 | 184.47 | 1,845.18 | |

| | | | | |
|---|---|---|---|---|
| 06/02/2023 | Sidedress | No precipitation | No precipitation | No precipitation |

| Source description | Material type | N (lbs/acre) | P (lbs/acre) | K (lbs/acre) | Salt (lbs/acre) | Amount |
|---|---|---|---|---|---|---|
| 15-15-15 | Solid commercial fertilizer | 15.00 | 6.60 | 12.50 | 0.00 | |
| Application event totals | | 15.00 | 6.60 | 12.50 | 0.00 | |

| | | | | |
|---|---|---|---|---|
| 07/03/2023 | Surface (irrigation) | No precipitation | No precipitation | No precipitation |

| Source description | Material type | N (lbs/acre) | P (lbs/acre) | K (lbs/acre) | Salt (lbs/acre) | Amount |
|---|---|---|---|---|---|---|
| TID Lateral 3 | Surface water | 0.00 | 0.00 | 0.00 | 34.39 | 3,510,000.00 *gal* |
| Application event totals | | 0.00 | 0.00 | 0.00 | 34.39 | |

House - 06/02/2023: Corn, silage

| Application date | Application method | Precipitation 24 hours prior | Precipitation during application | Precipitation 24 hours following |
|---|---|---|---|---|
| 07/14/2023 | Surface (irrigation) | No precipitation | No precipitation | No precipitation |

| Source description | Material type | N (lbs/acre) | P (lbs/acre) | K (lbs/acre) | Salt (lbs/acre) | Amount |
|---|---|---|---|---|---|---|
| WWS | Process wastewater | 101.88 | 6.66 | 191.22 | 1,275.87 | 432,000.00 *gal* |
| TID Lateral 3 | Surface water | 0.00 | 0.00 | 0.00 | 31.74 | 3,240,000.00 *gal* |
| Application event totals | | 101.88 | 6.66 | 191.22 | 1,307.61 | |

| Application date | Application method | Precipitation 24 hours prior | Precipitation during application | Precipitation 24 hours following |
|---|---|---|---|---|
| 07/25/2023 | Surface (irrigation) | No precipitation | No precipitation | No precipitation |

| Source description | Material type | N (lbs/acre) | P (lbs/acre) | K (lbs/acre) | Salt (lbs/acre) | Amount |
|---|---|---|---|---|---|---|
| TID Lateral 3 | Surface water | 0.00 | 0.00 | 0.00 | 31.74 | 3,240,000.00 *gal* |
| Application event totals | | 0.00 | 0.00 | 0.00 | 31.74 | |

| Application date | Application method | Precipitation 24 hours prior | Precipitation during application | Precipitation 24 hours following |
|---|---|---|---|---|
| 08/05/2023 | Surface (irrigation) | No precipitation | No precipitation | No precipitation |

| Source description | Material type | N (lbs/acre) | P (lbs/acre) | K (lbs/acre) | Salt (lbs/acre) | Amount |
|---|---|---|---|---|---|---|
| WWS | Process wastewater | 93.39 | 6.11 | 175.29 | 1,169.55 | 396,000.00 *gal* |
| TID Lateral 3 | Surface water | 0.00 | 0.00 | 0.00 | 29.10 | 2,970,000.00 *gal* |
| Application event totals | | 93.39 | 6.11 | 175.29 | 1,198.64 | |

| Application date | Application method | Precipitation 24 hours prior | Precipitation during application | Precipitation 24 hours following |
|---|---|---|---|---|
| 08/16/2023 | Surface (irrigation) | No precipitation | No precipitation | No precipitation |

| Source description | Material type | N (lbs/acre) | P (lbs/acre) | K (lbs/acre) | Salt (lbs/acre) | Amount |
|---|---|---|---|---|---|---|
| TID Lateral 3 | Surface water | 0.00 | 0.00 | 0.00 | 31.74 | 3,240,000.00 *gal* |
| Application event totals | | 0.00 | 0.00 | 0.00 | 31.74 | |

| Application date | Application method | Precipitation 24 hours prior | Precipitation during application | Precipitation 24 hours following |
|---|---|---|---|---|
| 08/27/2023 | Surface (irrigation) | No precipitation | No precipitation | No precipitation |

| Source description | Material type | N (lbs/acre) | P (lbs/acre) | K (lbs/acre) | Salt (lbs/acre) | Amount |
|---|---|---|---|---|---|---|
| TID Lateral 3 | Surface water | 0.00 | 0.00 | 0.00 | 29.10 | 2,970,000.00 *gal* |
| Application event totals | | 0.00 | 0.00 | 0.00 | 29.10 | |

| Application date | Application method | Precipitation 24 hours prior | Precipitation during application | Precipitation 24 hours following |
|---|---|---|---|---|
| 09/07/2023 | Surface (irrigation) | No precipitation | No precipitation | No precipitation |

| Source description | Material type | N (lbs/acre) | P (lbs/acre) | K (lbs/acre) | Salt (lbs/acre) | Amount |
|---|---|---|---|---|---|---|
| TID Lateral 3 | Surface water | 0.00 | 0.00 | 0.00 | 29.10 | 2,970,000.00 *gal* |
| Application event totals | | 0.00 | 0.00 | 0.00 | 29.10 | |

## J. Melo 1 - 01/22/2019: Almond, in shell

Field name: J. Melo 1

Crop: Almond, in shell

Plant date: 01/22/2019

| Application date | Application method | Precipitation 24 hours prior | Precipitation during application | Precipitation 24 hours following |
|---|---|---|---|---|
| 11/16/2022 | Broadcast/incorporate | No precipitation | No precipitation | No precipitation |

| Source description | Material type | N (lbs/acre) | P (lbs/acre) | K (lbs/acre) | Salt (lbs/acre) | Amount |
|---|---|---|---|---|---|---|
| Separator Solids | Separator solids | 60.46 | 10.43 | 28.19 | 375.92 | 120.00 *ton* |
| Application event totals | | 60.46 | 10.43 | 28.19 | 375.92 | |

| Application date | Application method | Precipitation 24 hours prior | Precipitation during application | Precipitation 24 hours following |
|---|---|---|---|---|
| 04/19/2023 | Surface (irrigation) | No precipitation | No precipitation | No precipitation |

| Source description | Material type | N (lbs/acre) | P (lbs/acre) | K (lbs/acre) | Salt (lbs/acre) | Amount |
|---|---|---|---|---|---|---|
| TID Lateral 3 | Surface water | 0.00 | 0.00 | 0.00 | 44.83 | 3,780,000.00 *gal* |
| Application event totals | | 0.00 | 0.00 | 0.00 | 44.83 | |

| Application date | Application method | Precipitation 24 hours prior | Precipitation during application | Precipitation 24 hours following |
|---|---|---|---|---|
| 04/19/2023 | Sidedress | No precipitation | No precipitation | No precipitation |

| Source description | Material type | N (lbs/acre) | P (lbs/acre) | K (lbs/acre) | Salt (lbs/acre) | Amount |
|---|---|---|---|---|---|---|
| UN32 | Solid commercial fertilizer | 25.60 | 0.00 | 0.00 | 0.00 | |
| Application event totals | | 25.60 | 0.00 | 0.00 | 0.00 | |

| Application date | Application method | Precipitation 24 hours prior | Precipitation during application | Precipitation 24 hours following |
|---|---|---|---|---|
| 05/10/2023 | Surface (irrigation) | No precipitation | No precipitation | No precipitation |

| Source description | Material type | N (lbs/acre) | P (lbs/acre) | K (lbs/acre) | Salt (lbs/acre) | Amount |
|---|---|---|---|---|---|---|
| TID Lateral 3 | Surface water | 0.00 | 0.00 | 0.00 | 38.42 | 3,240,000.00 *gal* |
| Application event totals | | 0.00 | 0.00 | 0.00 | 38.42 | |

| Application date | Application method | Precipitation 24 hours prior | Precipitation during application | Precipitation 24 hours following |
|---|---|---|---|---|
| 05/31/2023 | Surface (irrigation) | No precipitation | No precipitation | No precipitation |

| Source description | Material type | N (lbs/acre) | P (lbs/acre) | K (lbs/acre) | Salt (lbs/acre) | Amount |
|---|---|---|---|---|---|---|
| TID Lateral 3 | Surface water | 0.00 | 0.00 | 0.00 | 38.42 | 3,240,000.00 *gal* |
| Application event totals | | 0.00 | 0.00 | 0.00 | 38.42 | |

| Application date | Application method | Precipitation 24 hours prior | Precipitation during application | Precipitation 24 hours following |
|---|---|---|---|---|
| 05/31/2023 | Sidedress | No precipitation | No precipitation | No precipitation |

| Source description | Material type | N (lbs/acre) | P (lbs/acre) | K (lbs/acre) | Salt (lbs/acre) | Amount |
|---|---|---|---|---|---|---|
| UN32 | Solid commercial fertilizer | 25.60 | 0.00 | 0.00 | 0.00 | |
| Application event totals | | 25.60 | 0.00 | 0.00 | 0.00 | |

## J. Melo 1 - 01/22/2019: Almond, in shell

| Application date | Application method | Precipitation 24 hours prior | Precipitation during application | Precipitation 24 hours following |
|---|---|---|---|---|
| 06/21/2023 | Surface (irrigation) | No precipitation | No precipitation | No precipitation |

| Source description | Material type | N (lbs/acre) | P (lbs/acre) | K (lbs/acre) | Salt (lbs/acre) | Amount |
|---|---|---|---|---|---|---|
| TID Lateral 3 | Surface water | 0.00 | 0.00 | 0.00 | 38.42 | 3,240,000.00 *gal* |
| Application event totals | | 0.00 | 0.00 | 0.00 | 38.42 | |

| Application date | Application method | Precipitation 24 hours prior | Precipitation during application | Precipitation 24 hours following |
|---|---|---|---|---|
| 07/12/2023 | Surface (irrigation) | No precipitation | No precipitation | No precipitation |

| Source description | Material type | N (lbs/acre) | P (lbs/acre) | K (lbs/acre) | Salt (lbs/acre) | Amount |
|---|---|---|---|---|---|---|
| TID Lateral 3 | Surface water | 0.00 | 0.00 | 0.00 | 38.42 | 3,240,000.00 *gal* |
| Application event totals | | 0.00 | 0.00 | 0.00 | 38.42 | |

| Application date | Application method | Precipitation 24 hours prior | Precipitation during application | Precipitation 24 hours following |
|---|---|---|---|---|
| 08/02/2023 | Surface (irrigation) | No precipitation | No precipitation | No precipitation |

| Source description | Material type | N (lbs/acre) | P (lbs/acre) | K (lbs/acre) | Salt (lbs/acre) | Amount |
|---|---|---|---|---|---|---|
| TID Lateral 3 | Surface water | 0.00 | 0.00 | 0.00 | 32.02 | 2,700,000.00 *gal* |
| Application event totals | | 0.00 | 0.00 | 0.00 | 32.02 | |

| Application date | Application method | Precipitation 24 hours prior | Precipitation during application | Precipitation 24 hours following |
|---|---|---|---|---|
| 08/23/2023 | Surface (irrigation) | No precipitation | No precipitation | No precipitation |

| Source description | Material type | N (lbs/acre) | P (lbs/acre) | K (lbs/acre) | Salt (lbs/acre) | Amount |
|---|---|---|---|---|---|---|
| TID Lateral 3 | Surface water | 0.00 | 0.00 | 0.00 | 32.02 | 2,700,000.00 *gal* |
| Application event totals | | 0.00 | 0.00 | 0.00 | 32.02 | |

## J. Melo 2 - 10/25/2022: Oats, silage-soft dough

Field name: J. Melo 2

Crop: Oats, silage-soft dough

Plant date: 10/25/2022

| Application date | Application method | Precipitation 24 hours prior | Precipitation during application | Precipitation 24 hours following |
|---|---|---|---|---|
| 10/07/2022 | Surface (irrigation) | No precipitation | No precipitation | No precipitation |

| Source description | Material type | N (lbs/acre) | P (lbs/acre) | K (lbs/acre) | Salt (lbs/acre) | Amount |
|---|---|---|---|---|---|---|
| WWS | Process wastewater | 93.46 | 6.99 | 151.71 | 1,068.16 | 360,000.00 *gal* |
| TID Lateral 3 | Surface water | 0.00 | 0.00 | 0.00 | 0.00 | 2,700,000.00 *gal* |
| Application event totals | | 93.46 | 6.99 | 151.71 | 1,068.16 | |

## J. Melo 2 - 10/25/2022: Oats, silage-soft dough

| Application date | Application method | Precipitation 24 hours prior | Precipitation during application | Precipitation 24 hours following |
|---|---|---|---|---|
| 02/10/2023 | Surface (irrigation) | No precipitation | No precipitation | No precipitation |

| Source description | Material type | N (lbs/acre) | P (lbs/acre) | K (lbs/acre) | Salt (lbs/acre) | Amount |
|---|---|---|---|---|---|---|
| WWS | Process wastewater | 56.81 | 7.81 | 63.96 | 433.94 | 144,000.00 *gal* |
| IW | Ground water | 10.43 | 0.00 | 0.00 | 106.82 | 180,000.00 *gal* |
| Application event totals | | 67.24 | 7.81 | 63.96 | 540.76 | |

| Application date | Application method | Precipitation 24 hours prior | Precipitation during application | Precipitation 24 hours following |
|---|---|---|---|---|
| 04/03/2023 | Surface (irrigation) | No precipitation | No precipitation | No precipitation |

| Source description | Material type | N (lbs/acre) | P (lbs/acre) | K (lbs/acre) | Salt (lbs/acre) | Amount |
|---|---|---|---|---|---|---|
| WWS | Process wastewater | 98.27 | 4.07 | 130.05 | 1,273.78 | 288,000.00 *gal* |
| TID Lateral 3 | Surface water | 0.00 | 0.00 | 0.00 | 27.04 | 2,160,000.00 *gal* |
| Application event totals | | 98.27 | 4.07 | 130.05 | 1,300.82 | |

## J. Melo 2 - 06/02/2023: Corn, silage

Field name: J. Melo 2

Crop: Corn, silage

Plant date: 06/02/2023

| Application date | Application method | Precipitation 24 hours prior | Precipitation during application | Precipitation 24 hours following |
|---|---|---|---|---|
| 05/23/2023 | Surface (irrigation) | No precipitation | No precipitation | No precipitation |

| Source description | Material type | N (lbs/acre) | P (lbs/acre) | K (lbs/acre) | Salt (lbs/acre) | Amount |
|---|---|---|---|---|---|---|
| WWS | Process wastewater | 122.84 | 5.09 | 162.56 | 1,592.23 | 360,000.00 *gal* |
| TID Lateral 3 | Surface water | 0.00 | 0.00 | 0.00 | 33.80 | 2,700,000.00 *gal* |
| Application event totals | | 122.84 | 5.09 | 162.56 | 1,626.02 | |

| Application date | Application method | Precipitation 24 hours prior | Precipitation during application | Precipitation 24 hours following |
|---|---|---|---|---|
| 06/02/2023 | Sidedress | No precipitation | No precipitation | No precipitation |

| Source description | Material type | N (lbs/acre) | P (lbs/acre) | K (lbs/acre) | Salt (lbs/acre) | Amount |
|---|---|---|---|---|---|---|
| 15-15-15 | Solid commercial fertilizer | 15.00 | 6.60 | 12.50 | 0.00 | |
| Application event totals | | 15.00 | 6.60 | 12.50 | 0.00 | |

J. Melo 2 - 06/02/2023: Corn, silage

| Application date | Application method | Precipitation 24 hours prior | Precipitation during application | Precipitation 24 hours following |
|---|---|---|---|---|
| 07/02/2023 | Surface (irrigation) | No precipitation | No precipitation | No precipitation |

| Source description | Material type | N (lbs/acre) | P (lbs/acre) | K (lbs/acre) | Salt (lbs/acre) | Amount |
|---|---|---|---|---|---|---|
| TID Lateral 3 | Surface water | 0.00 | 0.00 | 0.00 | 27.04 | 2,160,000.00 *gal* |
| Application event totals | | 0.00 | 0.00 | 0.00 | 27.04 | |

| Application date | Application method | Precipitation 24 hours prior | Precipitation during application | Precipitation 24 hours following |
|---|---|---|---|---|
| 07/13/2023 | Surface (irrigation) | No precipitation | No precipitation | No precipitation |

| Source description | Material type | N (lbs/acre) | P (lbs/acre) | K (lbs/acre) | Salt (lbs/acre) | Amount |
|---|---|---|---|---|---|---|
| WWS | Process wastewater | 75.94 | 4.97 | 142.53 | 951.00 | 252,000.00 *gal* |
| TID Lateral 3 | Surface water | 0.00 | 0.00 | 0.00 | 23.66 | 1,890,000.00 *gal* |
| Application event totals | | 75.94 | 4.97 | 142.53 | 974.65 | |

| Application date | Application method | Precipitation 24 hours prior | Precipitation during application | Precipitation 24 hours following |
|---|---|---|---|---|
| 07/24/2023 | Surface (irrigation) | No precipitation | No precipitation | No precipitation |

| Source description | Material type | N (lbs/acre) | P (lbs/acre) | K (lbs/acre) | Salt (lbs/acre) | Amount |
|---|---|---|---|---|---|---|
| TID Lateral 3 | Surface water | 0.00 | 0.00 | 0.00 | 23.66 | 1,890,000.00 *gal* |
| Application event totals | | 0.00 | 0.00 | 0.00 | 23.66 | |

| Application date | Application method | Precipitation 24 hours prior | Precipitation during application | Precipitation 24 hours following |
|---|---|---|---|---|
| 08/04/2023 | Surface (irrigation) | No precipitation | No precipitation | No precipitation |

| Source description | Material type | N (lbs/acre) | P (lbs/acre) | K (lbs/acre) | Salt (lbs/acre) | Amount |
|---|---|---|---|---|---|---|
| WWS | Process wastewater | 70.52 | 4.61 | 132.35 | 883.07 | 234,000.00 *gal* |
| TID Lateral 3 | Surface water | 0.00 | 0.00 | 0.00 | 21.97 | 1,755,000.00 *gal* |
| Application event totals | | 70.52 | 4.61 | 132.35 | 905.04 | |

| Application date | Application method | Precipitation 24 hours prior | Precipitation during application | Precipitation 24 hours following |
|---|---|---|---|---|
| 08/15/2023 | Surface (irrigation) | No precipitation | No precipitation | No precipitation |

| Source description | Material type | N (lbs/acre) | P (lbs/acre) | K (lbs/acre) | Salt (lbs/acre) | Amount |
|---|---|---|---|---|---|---|
| TID Lateral 3 | Surface water | 0.00 | 0.00 | 0.00 | 20.28 | 1,620,000.00 *gal* |
| Application event totals | | 0.00 | 0.00 | 0.00 | 20.28 | |

| Application date | Application method | Precipitation 24 hours prior | Precipitation during application | Precipitation 24 hours following |
|---|---|---|---|---|
| 08/26/2023 | Surface (irrigation) | No precipitation | No precipitation | No precipitation |

| Source description | Material type | N (lbs/acre) | P (lbs/acre) | K (lbs/acre) | Salt (lbs/acre) | Amount |
|---|---|---|---|---|---|---|
| TID Lateral 3 | Surface water | 0.00 | 0.00 | 0.00 | 20.28 | 1,620,000.00 *gal* |
| Application event totals | | 0.00 | 0.00 | 0.00 | 20.28 | |

## J. Melo 2 - 06/02/2023: Corn, silage

| Application date | Application method | Precipitation 24 hours prior | Precipitation during application | Precipitation 24 hours following |
|---|---|---|---|---|
| 09/06/2023 | Surface (irrigation) | No precipitation | No precipitation | No precipitation |

| Source description | Material type | N (lbs/acre) | P (lbs/acre) | K (lbs/acre) | Salt (lbs/acre) | Amount |
|---|---|---|---|---|---|---|
| TID Lateral 3 | Surface water | 0.00 | 0.00 | 0.00 | 20.28 | 1,620,000.00 *gal* |
| Application event totals | | 0.00 | 0.00 | 0.00 | 20.28 | |

## Lagoon - 10/25/2022: Oats, silage-soft dough

Field name: Lagoon

Crop: Oats, silage-soft dough

Plant date: 10/25/2022

| Application date | Application method | Precipitation 24 hours prior | Precipitation during application | Precipitation 24 hours following |
|---|---|---|---|---|
| 10/08/2022 | Surface (irrigation) | No precipitation | No precipitation | No precipitation |

| Source description | Material type | N (lbs/acre) | P (lbs/acre) | K (lbs/acre) | Salt (lbs/acre) | Amount |
|---|---|---|---|---|---|---|
| WWS | Process wastewater | 100.94 | 7.55 | 163.85 | 1,153.61 | 216,000.00 *gal* |
| TID Lateral 3 | Surface water | 0.00 | 0.00 | 0.00 | 0.00 | 1,620,000.00 *gal* |
| Application event totals | | 100.94 | 7.55 | 163.85 | 1,153.61 | |

| | | | | |
|---|---|---|---|---|
| 02/10/2023 | Surface (irrigation) | No precipitation | No precipitation | No precipitation |

| Source description | Material type | N (lbs/acre) | P (lbs/acre) | K (lbs/acre) | Salt (lbs/acre) | Amount |
|---|---|---|---|---|---|---|
| WWS | Process wastewater | 51.13 | 7.03 | 57.56 | 390.55 | 72,000.00 *gal* |
| IW | Ground water | 9.39 | 0.00 | 0.00 | 96.13 | 90,000.00 *gal* |
| Application event totals | | 60.52 | 7.03 | 57.56 | 486.68 | |

| | | | | |
|---|---|---|---|---|
| 04/04/2023 | Surface (irrigation) | No precipitation | No precipitation | No precipitation |

| Source description | Material type | N (lbs/acre) | P (lbs/acre) | K (lbs/acre) | Salt (lbs/acre) | Amount |
|---|---|---|---|---|---|---|
| WWS | Process wastewater | 88.44 | 3.67 | 117.04 | 1,146.40 | 144,000.00 *gal* |
| TID Lateral 3 | Surface water | 0.00 | 0.00 | 0.00 | 24.33 | 1,080,000.00 *gal* |
| Application event totals | | 88.44 | 3.67 | 117.04 | 1,170.74 | |

## Lagoon - 06/02/2023: Corn, silage

## Lagoon - 06/02/2023: Corn, silage

Field name: Lagoon

Crop: Corn, silage

Plant date: 06/02/2023

| Application date | Application method | Precipitation 24 hours prior | Precipitation during application | Precipitation 24 hours following |
|---|---|---|---|---|
| 05/24/2023 | Surface (irrigation) | No precipitation | No precipitation | No precipitation |

| Source description | Material type | N (lbs/acre) | P (lbs/acre) | K (lbs/acre) | Salt (lbs/acre) | Amount |
|---|---|---|---|---|---|---|
| WWS | Process wastewater | 132.67 | 5.50 | 175.57 | 1,719.60 | 216,000.00 *gal* |
| TID Lateral 3 | Surface water | 0.00 | 0.00 | 0.00 | 36.50 | 1,620,000.00 *gal* |
| Application event totals | | 132.67 | 5.50 | 175.57 | 1,756.11 | |

| Application date | Application method | Precipitation 24 hours prior | Precipitation during application | Precipitation 24 hours following |
|---|---|---|---|---|
| 06/02/2023 | Sidedress | No precipitation | No precipitation | No precipitation |

| Source description | Material type | N (lbs/acre) | P (lbs/acre) | K (lbs/acre) | Salt (lbs/acre) | Amount |
|---|---|---|---|---|---|---|
| 15-15-15 | Solid commercial fertilizer | 15.00 | 6.60 | 12.50 | 0.00 | |
| Application event totals | | 15.00 | 6.60 | 12.50 | 0.00 | |

| Application date | Application method | Precipitation 24 hours prior | Precipitation during application | Precipitation 24 hours following |
|---|---|---|---|---|
| 07/03/2023 | Surface (irrigation) | No precipitation | No precipitation | No precipitation |

| Source description | Material type | N (lbs/acre) | P (lbs/acre) | K (lbs/acre) | Salt (lbs/acre) | Amount |
|---|---|---|---|---|---|---|
| TID Lateral 3 | Surface water | 0.00 | 0.00 | 0.00 | 30.42 | 1,350,000.00 *gal* |
| Application event totals | | 0.00 | 0.00 | 0.00 | 30.42 | |

| Application date | Application method | Precipitation 24 hours prior | Precipitation during application | Precipitation 24 hours following |
|---|---|---|---|---|
| 07/14/2023 | Surface (irrigation) | No precipitation | No precipitation | No precipitation |

| Source description | Material type | N (lbs/acre) | P (lbs/acre) | K (lbs/acre) | Salt (lbs/acre) | Amount |
|---|---|---|---|---|---|---|
| WWS | Process wastewater | 97.64 | 6.38 | 183.26 | 1,222.71 | 180,000.00 *gal* |
| TID Lateral 3 | Surface water | 0.00 | 0.00 | 0.00 | 30.42 | 1,350,000.00 *gal* |
| Application event totals | | 97.64 | 6.38 | 183.26 | 1,253.13 | |

| Application date | Application method | Precipitation 24 hours prior | Precipitation during application | Precipitation 24 hours following |
|---|---|---|---|---|
| 07/25/2023 | Surface (irrigation) | No precipitation | No precipitation | No precipitation |

| Source description | Material type | N (lbs/acre) | P (lbs/acre) | K (lbs/acre) | Salt (lbs/acre) | Amount |
|---|---|---|---|---|---|---|
| TID Lateral 3 | Surface water | 0.00 | 0.00 | 0.00 | 30.42 | 1,350,000.00 *gal* |
| Application event totals | | 0.00 | 0.00 | 0.00 | 30.42 | |

## Lagoon - 06/02/2023: Corn, silage

| Application date | Application method | Precipitation 24 hours prior | Precipitation during application | Precipitation 24 hours following |
|---|---|---|---|---|
| 08/05/2023 | Surface (irrigation) | No precipitation | No precipitation | No precipitation |

| Source description | Material type | N (lbs/acre) | P (lbs/acre) | K (lbs/acre) | Salt (lbs/acre) | Amount |
|---|---|---|---|---|---|---|
| WWS | Process wastewater | 78.11 | 5.11 | 146.60 | 978.17 | 144,000.00 *gal* |
| TID Lateral 3 | Surface water | 0.00 | 0.00 | 0.00 | 24.33 | 1,080,000.00 *gal* |
| Application event totals | | 78.11 | 5.11 | 146.60 | 1,002.50 | |

| Application date | Application method | Precipitation 24 hours prior | Precipitation during application | Precipitation 24 hours following |
|---|---|---|---|---|
| 08/16/2023 | Surface (irrigation) | No precipitation | No precipitation | No precipitation |

| Source description | Material type | N (lbs/acre) | P (lbs/acre) | K (lbs/acre) | Salt (lbs/acre) | Amount |
|---|---|---|---|---|---|---|
| TID Lateral 3 | Surface water | 0.00 | 0.00 | 0.00 | 24.33 | 1,080,000.00 *gal* |
| Application event totals | | 0.00 | 0.00 | 0.00 | 24.33 | |

| Application date | Application method | Precipitation 24 hours prior | Precipitation during application | Precipitation 24 hours following |
|---|---|---|---|---|
| 08/27/2023 | Surface (irrigation) | No precipitation | No precipitation | No precipitation |

| Source description | Material type | N (lbs/acre) | P (lbs/acre) | K (lbs/acre) | Salt (lbs/acre) | Amount |
|---|---|---|---|---|---|---|
| TID Lateral 3 | Surface water | 0.00 | 0.00 | 0.00 | 24.33 | 1,080,000.00 *gal* |
| Application event totals | | 0.00 | 0.00 | 0.00 | 24.33 | |

| Application date | Application method | Precipitation 24 hours prior | Precipitation during application | Precipitation 24 hours following |
|---|---|---|---|---|
| 09/07/2023 | Surface (irrigation) | No precipitation | No precipitation | No precipitation |

| Source description | Material type | N (lbs/acre) | P (lbs/acre) | K (lbs/acre) | Salt (lbs/acre) | Amount |
|---|---|---|---|---|---|---|
| TID Lateral 3 | Surface water | 0.00 | 0.00 | 0.00 | 21.29 | 945,000.00 *gal* |
| Application event totals | | 0.00 | 0.00 | 0.00 | 21.29 | |

## Mendosa - 01/22/2019: Almond, in shell

Field name: Mendosa

Crop: Almond, in shell

Plant date: 01/22/2019

| Application date | Application method | Precipitation 24 hours prior | Precipitation during application | Precipitation 24 hours following |
|---|---|---|---|---|
| 11/16/2022 | Broadcast/incorporate | No precipitation | No precipitation | No precipitation |

| Source description | Material type | N (lbs/acre) | P (lbs/acre) | K (lbs/acre) | Salt (lbs/acre) | Amount |
|---|---|---|---|---|---|---|
| Separator Solids | Separator solids | 60.46 | 10.43 | 28.19 | 375.92 | 120.00 *ton* |
| Application event totals | | 60.46 | 10.43 | 28.19 | 375.92 | |

Mendosa - 01/22/2019: Almond, in shell

| Application date | Application method | Precipitation 24 hours prior | Precipitation during application | Precipitation 24 hours following |
|---|---|---|---|---|
| 04/19/2023 | Surface (irrigation) | No precipitation | No precipitation | No precipitation |

| Source description | Material type | N (lbs/acre) | P (lbs/acre) | K (lbs/acre) | Salt (lbs/acre) | Amount |
|---|---|---|---|---|---|---|
| TID Lateral 3 | Surface water | 0.00 | 0.00 | 0.00 | 41.62 | 3,510,000.00 *gal* |
| Application event totals | | 0.00 | 0.00 | 0.00 | 41.62 | |

| Application date | Application method | Precipitation 24 hours prior | Precipitation during application | Precipitation 24 hours following |
|---|---|---|---|---|
| 04/19/2023 | Sidedress | No precipitation | No precipitation | No precipitation |

| Source description | Material type | N (lbs/acre) | P (lbs/acre) | K (lbs/acre) | Salt (lbs/acre) | Amount |
|---|---|---|---|---|---|---|
| UN32 | Solid commercial fertilizer | 25.60 | 0.00 | 0.00 | 0.00 | |
| Application event totals | | 25.60 | 0.00 | 0.00 | 0.00 | |

| Application date | Application method | Precipitation 24 hours prior | Precipitation during application | Precipitation 24 hours following |
|---|---|---|---|---|
| 05/10/2023 | Surface (irrigation) | No precipitation | No precipitation | No precipitation |

| Source description | Material type | N (lbs/acre) | P (lbs/acre) | K (lbs/acre) | Salt (lbs/acre) | Amount |
|---|---|---|---|---|---|---|
| TID Lateral 3 | Surface water | 0.00 | 0.00 | 0.00 | 41.62 | 3,510,000.00 *gal* |
| Application event totals | | 0.00 | 0.00 | 0.00 | 41.62 | |

| Application date | Application method | Precipitation 24 hours prior | Precipitation during application | Precipitation 24 hours following |
|---|---|---|---|---|
| 05/31/2023 | Surface (irrigation) | No precipitation | No precipitation | No precipitation |

| Source description | Material type | N (lbs/acre) | P (lbs/acre) | K (lbs/acre) | Salt (lbs/acre) | Amount |
|---|---|---|---|---|---|---|
| TID Lateral 3 | Surface water | 0.00 | 0.00 | 0.00 | 41.62 | 3,510,000.00 *gal* |
| Application event totals | | 0.00 | 0.00 | 0.00 | 41.62 | |

| Application date | Application method | Precipitation 24 hours prior | Precipitation during application | Precipitation 24 hours following |
|---|---|---|---|---|
| 05/31/2023 | Sidedress | No precipitation | No precipitation | No precipitation |

| Source description | Material type | N (lbs/acre) | P (lbs/acre) | K (lbs/acre) | Salt (lbs/acre) | Amount |
|---|---|---|---|---|---|---|
| UN32 | Solid commercial fertilizer | 25.60 | 0.00 | 0.00 | 0.00 | |
| Application event totals | | 25.60 | 0.00 | 0.00 | 0.00 | |

| Application date | Application method | Precipitation 24 hours prior | Precipitation during application | Precipitation 24 hours following |
|---|---|---|---|---|
| 06/21/2023 | Surface (irrigation) | No precipitation | No precipitation | No precipitation |

| Source description | Material type | N (lbs/acre) | P (lbs/acre) | K (lbs/acre) | Salt (lbs/acre) | Amount |
|---|---|---|---|---|---|---|
| TID Lateral 3 | Surface water | 0.00 | 0.00 | 0.00 | 38.42 | 3,240,000.00 *gal* |
| Application event totals | | 0.00 | 0.00 | 0.00 | 38.42 | |

## Mendosa - 01/22/2019: Almond, in shell

| Application date | Application method | Precipitation 24 hours prior | Precipitation during application | Precipitation 24 hours following |
|---|---|---|---|---|
| 07/12/2023 | Surface (irrigation) | No precipitation | No precipitation | No precipitation |

| Source description | Material type | N (lbs/acre) | P (lbs/acre) | K (lbs/acre) | Salt (lbs/acre) | Amount |
|---|---|---|---|---|---|---|
| TID Lateral 3 | Surface water | 0.00 | 0.00 | 0.00 | 38.42 | 3,240,000.00 *gal* |
| Application event totals | | 0.00 | 0.00 | 0.00 | 38.42 | |

| Application date | Application method | Precipitation 24 hours prior | Precipitation during application | Precipitation 24 hours following |
|---|---|---|---|---|
| 08/02/2023 | Surface (irrigation) | No precipitation | No precipitation | No precipitation |

| Source description | Material type | N (lbs/acre) | P (lbs/acre) | K (lbs/acre) | Salt (lbs/acre) | Amount |
|---|---|---|---|---|---|---|
| TID Lateral 3 | Surface water | 0.00 | 0.00 | 0.00 | 32.02 | 2,700,000.00 *gal* |
| Application event totals | | 0.00 | 0.00 | 0.00 | 32.02 | |

| Application date | Application method | Precipitation 24 hours prior | Precipitation during application | Precipitation 24 hours following |
|---|---|---|---|---|
| 08/23/2023 | Surface (irrigation) | No precipitation | No precipitation | No precipitation |

| Source description | Material type | N (lbs/acre) | P (lbs/acre) | K (lbs/acre) | Salt (lbs/acre) | Amount |
|---|---|---|---|---|---|---|
| TID Lateral 3 | Surface water | 0.00 | 0.00 | 0.00 | 32.02 | 2,700,000.00 *gal* |
| Application event totals | | 0.00 | 0.00 | 0.00 | 32.02 | |

## Taylor/Moffet - 10/26/2022: Oats, silage-soft dough

Field name: Taylor/Moffet

Crop: Oats, silage-soft dough

Plant date: 10/26/2022

| Application date | Application method | Precipitation 24 hours prior | Precipitation during application | Precipitation 24 hours following |
|---|---|---|---|---|
| 10/09/2022 | Surface (irrigation) | No precipitation | No precipitation | No precipitation |

| Source description | Material type | N (lbs/acre) | P (lbs/acre) | K (lbs/acre) | Salt (lbs/acre) | Amount |
|---|---|---|---|---|---|---|
| WWS | Process wastewater | 91.76 | 6.87 | 148.95 | 1,048.74 | 648,000.00 *gal* |
| TID Lateral 3 | Surface water | 0.00 | 0.00 | 0.00 | 0.00 | 4,860,000.00 *gal* |
| Application event totals | | 91.76 | 6.87 | 148.95 | 1,048.74 | |

## Taylor/Moffet - 10/26/2022: Oats, silage-soft dough

| Application date | Application method | Precipitation 24 hours prior | Precipitation during application | Precipitation 24 hours following |
|---|---|---|---|---|
| 02/11/2023 | Surface (irrigation) | No precipitation | No precipitation | No precipitation |

| Source description | Material type | N (lbs/acre) | P (lbs/acre) | K (lbs/acre) | Salt (lbs/acre) | Amount |
|---|---|---|---|---|---|---|
| WWS | Process wastewater | 61.98 | 8.52 | 69.77 | 473.39 | 288,000.00 *gal* |
| IW | Ground water | 11.38 | 0.00 | 0.00 | 116.53 | 360,000.00 *gal* |
| Application event totals | | 73.36 | 8.52 | 69.77 | 589.92 | |

| Application date | Application method | Precipitation 24 hours prior | Precipitation during application | Precipitation 24 hours following |
|---|---|---|---|---|
| 04/05/2023 | Surface (irrigation) | No precipitation | No precipitation | No precipitation |

| Source description | Material type | N (lbs/acre) | P (lbs/acre) | K (lbs/acre) | Salt (lbs/acre) | Amount |
|---|---|---|---|---|---|---|
| WWS | Process wastewater | 107.20 | 4.44 | 141.87 | 1,389.58 | 576,000.00 *gal* |
| TID Lateral 3 | Surface water | 0.00 | 0.00 | 0.00 | 29.50 | 4,320,000.00 *gal* |
| Application event totals | | 107.20 | 4.44 | 141.87 | 1,419.07 | |

## Taylor/Moffet - 06/03/2023: Corn, silage

Field name: Taylor/Moffet

Crop: Corn, silage

Plant date: 06/03/2023

| Application date | Application method | Precipitation 24 hours prior | Precipitation during application | Precipitation 24 hours following |
|---|---|---|---|---|
| 05/25/2023 | Surface (irrigation) | No precipitation | No precipitation | No precipitation |

| Source description | Material type | N (lbs/acre) | P (lbs/acre) | K (lbs/acre) | Salt (lbs/acre) | Amount |
|---|---|---|---|---|---|---|
| WWS | Process wastewater | 120.60 | 5.00 | 159.60 | 1,563.28 | 648,000.00 *gal* |
| TID Lateral 3 | Surface water | 0.00 | 0.00 | 0.00 | 33.18 | 4,860,000.00 *gal* |
| Application event totals | | 120.60 | 5.00 | 159.60 | 1,596.46 | |

| Application date | Application method | Precipitation 24 hours prior | Precipitation during application | Precipitation 24 hours following |
|---|---|---|---|---|
| 06/03/2023 | Sidedress | No precipitation | No precipitation | No precipitation |

| Source description | Material type | N (lbs/acre) | P (lbs/acre) | K (lbs/acre) | Salt (lbs/acre) | Amount |
|---|---|---|---|---|---|---|
| 15-15-15 | Solid commercial fertilizer | 15.00 | 6.60 | 12.50 | 0.00 | |
| Application event totals | | 15.00 | 6.60 | 12.50 | 0.00 | |

Taylor/Moffet - 06/03/2023: Corn, silage

| Application date | Application method | Precipitation 24 hours prior | Precipitation during application | Precipitation 24 hours following |
|---|---|---|---|---|
| 07/04/2023 | Surface (irrigation) | No precipitation | No precipitation | No precipitation |

| Source description | Material type | N (lbs/acre) | P (lbs/acre) | K (lbs/acre) | Salt (lbs/acre) | Amount |
|---|---|---|---|---|---|---|
| TID Lateral 3 | Surface water | 0.00 | 0.00 | 0.00 | 27.65 | 4,050,000.00 *gal* |
| Application event totals | | 0.00 | 0.00 | 0.00 | 27.65 | |

| Application date | Application method | Precipitation 24 hours prior | Precipitation during application | Precipitation 24 hours following |
|---|---|---|---|---|
| 07/15/2023 | Surface (irrigation) | No precipitation | No precipitation | No precipitation |

| Source description | Material type | N (lbs/acre) | P (lbs/acre) | K (lbs/acre) | Salt (lbs/acre) | Amount |
|---|---|---|---|---|---|---|
| WWS | Process wastewater | 85.80 | 5.61 | 161.04 | 1,074.50 | 522,000.00 *gal* |
| TID Lateral 3 | Surface water | 0.00 | 0.00 | 0.00 | 26.73 | 3,915,000.00 *gal* |
| Application event totals | | 85.80 | 5.61 | 161.04 | 1,101.23 | |

| Application date | Application method | Precipitation 24 hours prior | Precipitation during application | Precipitation 24 hours following |
|---|---|---|---|---|
| 07/26/2023 | Surface (irrigation) | No precipitation | No precipitation | No precipitation |

| Source description | Material type | N (lbs/acre) | P (lbs/acre) | K (lbs/acre) | Salt (lbs/acre) | Amount |
|---|---|---|---|---|---|---|
| TID Lateral 3 | Surface water | 0.00 | 0.00 | 0.00 | 25.81 | 3,780,000.00 *gal* |
| Application event totals | | 0.00 | 0.00 | 0.00 | 25.81 | |

| Application date | Application method | Precipitation 24 hours prior | Precipitation during application | Precipitation 24 hours following |
|---|---|---|---|---|
| 08/06/2023 | Surface (irrigation) | No precipitation | No precipitation | No precipitation |

| Source description | Material type | N (lbs/acre) | P (lbs/acre) | K (lbs/acre) | Salt (lbs/acre) | Amount |
|---|---|---|---|---|---|---|
| WWS | Process wastewater | 82.84 | 5.42 | 155.49 | 1,037.45 | 504,000.00 *gal* |
| TID Lateral 3 | Surface water | 0.00 | 0.00 | 0.00 | 25.81 | 3,780,000.00 *gal* |
| Application event totals | | 82.84 | 5.42 | 155.49 | 1,063.26 | |

| Application date | Application method | Precipitation 24 hours prior | Precipitation during application | Precipitation 24 hours following |
|---|---|---|---|---|
| 08/17/2023 | Surface (irrigation) | No precipitation | No precipitation | No precipitation |

| Source description | Material type | N (lbs/acre) | P (lbs/acre) | K (lbs/acre) | Salt (lbs/acre) | Amount |
|---|---|---|---|---|---|---|
| TID Lateral 3 | Surface water | 0.00 | 0.00 | 0.00 | 24.89 | 3,645,000.00 *gal* |
| Application event totals | | 0.00 | 0.00 | 0.00 | 24.89 | |

| Application date | Application method | Precipitation 24 hours prior | Precipitation during application | Precipitation 24 hours following |
|---|---|---|---|---|
| 08/28/2023 | Surface (irrigation) | No precipitation | No precipitation | No precipitation |

| Source description | Material type | N (lbs/acre) | P (lbs/acre) | K (lbs/acre) | Salt (lbs/acre) | Amount |
|---|---|---|---|---|---|---|
| TID Lateral 3 | Surface water | 0.00 | 0.00 | 0.00 | 22.12 | 3,240,000.00 *gal* |
| Application event totals | | 0.00 | 0.00 | 0.00 | 22.12 | |

## Taylor/Moffet - 06/03/2023: Corn, silage

| Application date | Application method | Precipitation 24 hours prior | Precipitation during application | Precipitation 24 hours following |
|---|---|---|---|---|
| 09/08/2023 | Surface (irrigation) | No precipitation | No precipitation | No precipitation |

| Source description | Material type | N (lbs/acre) | P (lbs/acre) | K (lbs/acre) | Salt (lbs/acre) | Amount |
|---|---|---|---|---|---|---|
| TID Lateral 3 | Surface water | 0.00 | 0.00 | 0.00 | 22.12 | 3,240,000.00 *gal* |
| Application event totals | | 0.00 | 0.00 | 0.00 | 22.12 | |

## The 10 - 10/26/2022: Oats, silage-soft dough

Field name: The 10

Crop: Oats, silage-soft dough Plant date: 10/26/2022

| Application date | Application method | Precipitation 24 hours prior | Precipitation during application | Precipitation 24 hours following |
|---|---|---|---|---|
| 10/08/2022 | Surface (irrigation) | No precipitation | No precipitation | No precipitation |

| Source description | Material type | N (lbs/acre) | P (lbs/acre) | K (lbs/acre) | Salt (lbs/acre) | Amount |
|---|---|---|---|---|---|---|
| WWS | Process wastewater | 112.16 | 8.39 | 182.05 | 1,281.79 | 216,000.00 *gal* |
| TID Lateral 3 | Surface water | 0.00 | 0.00 | 0.00 | 0.00 | 1,620,000.00 *gal* |
| Application event totals | | 112.16 | 8.39 | 182.05 | 1,281.79 | |

| | | | | |
|---|---|---|---|---|
| 04/04/2023 | Surface (irrigation) | No precipitation | No precipitation | No precipitation |

| Source description | Material type | N (lbs/acre) | P (lbs/acre) | K (lbs/acre) | Salt (lbs/acre) | Amount |
|---|---|---|---|---|---|---|
| WWS | Process wastewater | 147.41 | 6.11 | 195.07 | 1,910.67 | 216,000.00 *gal* |
| TID Lateral 3 | Surface water | 0.00 | 0.00 | 0.00 | 40.56 | 1,620,000.00 *gal* |
| Application event totals | | 147.41 | 6.11 | 195.07 | 1,951.23 | |

## The 10 - 06/04/2023: Corn, silage

Field name: The 10

Crop: Corn, silage Plant date: 06/04/2023

| Application date | Application method | Precipitation 24 hours prior | Precipitation during application | Precipitation 24 hours following |
|---|---|---|---|---|

The 10 - 06/04/2023: Corn, silage

| Application date | Application method | Precipitation 24 hours prior | Precipitation during application | Precipitation 24 hours following |
|---|---|---|---|---|
| 05/24/2023 | Surface (irrigation) | No precipitation | No precipitation | No precipitation |

| Source description | Material type | N (lbs/acre) | P (lbs/acre) | K (lbs/acre) | Salt (lbs/acre) | Amount |
|---|---|---|---|---|---|---|
| WWS | Process wastewater | 147.41 | 6.11 | 195.07 | 1,910.67 | 216,000.00 *gal* |
| TID Lateral 3 | Surface water | 0.00 | 0.00 | 0.00 | 40.56 | 1,620,000.00 *gal* |
| Application event totals | | 147.41 | 6.11 | 195.07 | 1,951.23 | |

| | | | | |
|---|---|---|---|---|
| 06/04/2023 | Sidedress | No precipitation | No precipitation | No precipitation |

| Source description | Material type | N (lbs/acre) | P (lbs/acre) | K (lbs/acre) | Salt (lbs/acre) | Amount |
|---|---|---|---|---|---|---|
| 15-15-15 | Solid commercial fertilizer | 15.00 | 6.60 | 12.50 | 0.00 | |
| Application event totals | | 15.00 | 6.60 | 12.50 | 0.00 | |

| | | | | |
|---|---|---|---|---|
| 07/03/2023 | Surface (irrigation) | No precipitation | No precipitation | No precipitation |

| Source description | Material type | N (lbs/acre) | P (lbs/acre) | K (lbs/acre) | Salt (lbs/acre) | Amount |
|---|---|---|---|---|---|---|
| TID Lateral 3 | Surface water | 0.00 | 0.00 | 0.00 | 27.04 | 1,080,000.00 *gal* |
| Application event totals | | 0.00 | 0.00 | 0.00 | 27.04 | |

| | | | | |
|---|---|---|---|---|
| 07/14/2023 | Surface (irrigation) | No precipitation | No precipitation | No precipitation |

| Source description | Material type | N (lbs/acre) | P (lbs/acre) | K (lbs/acre) | Salt (lbs/acre) | Amount |
|---|---|---|---|---|---|---|
| WWS | Process wastewater | 86.79 | 5.67 | 162.89 | 1,086.85 | 144,000.00 *gal* |
| TID Lateral 3 | Surface water | 0.00 | 0.00 | 0.00 | 27.04 | 1,080,000.00 *gal* |
| Application event totals | | 86.79 | 5.67 | 162.89 | 1,113.89 | |

| | | | | |
|---|---|---|---|---|
| 07/25/2023 | Surface (irrigation) | No precipitation | No precipitation | No precipitation |

| Source description | Material type | N (lbs/acre) | P (lbs/acre) | K (lbs/acre) | Salt (lbs/acre) | Amount |
|---|---|---|---|---|---|---|
| TID Lateral 3 | Surface water | 0.00 | 0.00 | 0.00 | 27.04 | 1,080,000.00 *gal* |
| Application event totals | | 0.00 | 0.00 | 0.00 | 27.04 | |

## The 10 - 06/04/2023: Corn, silage

| Application date | Application method | Precipitation 24 hours prior | Precipitation during application | Precipitation 24 hours following |
|---|---|---|---|---|
| 08/05/2023 | Surface (irrigation) | No precipitation | No precipitation | No precipitation |

| Source description | Material type | N (lbs/acre) | P (lbs/acre) | K (lbs/acre) | Salt (lbs/acre) | Amount |
|---|---|---|---|---|---|---|
| WWS | Process wastewater | 65.09 | 4.26 | 122.17 | 815.14 | 108,000.00 *gal* |
| TID Lateral 3 | Surface water | 0.00 | 0.00 | 0.00 | 20.28 | 810,000.00 *gal* |
| Application event totals | | 65.09 | 4.26 | 122.17 | 835.42 | |

| Application date | Application method | Precipitation 24 hours prior | Precipitation during application | Precipitation 24 hours following |
|---|---|---|---|---|
| 08/16/2023 | Surface (irrigation) | No precipitation | No precipitation | No precipitation |

| Source description | Material type | N (lbs/acre) | P (lbs/acre) | K (lbs/acre) | Salt (lbs/acre) | Amount |
|---|---|---|---|---|---|---|
| TID Lateral 3 | Surface water | 0.00 | 0.00 | 0.00 | 20.28 | 810,000.00 *gal* |
| Application event totals | | 0.00 | 0.00 | 0.00 | 20.28 | |

| Application date | Application method | Precipitation 24 hours prior | Precipitation during application | Precipitation 24 hours following |
|---|---|---|---|---|
| 08/27/2023 | Surface (irrigation) | No precipitation | No precipitation | No precipitation |

| Source description | Material type | N (lbs/acre) | P (lbs/acre) | K (lbs/acre) | Salt (lbs/acre) | Amount |
|---|---|---|---|---|---|---|
| TID Lateral 3 | Surface water | 0.00 | 0.00 | 0.00 | 20.28 | 810,000.00 *gal* |
| Application event totals | | 0.00 | 0.00 | 0.00 | 20.28 | |

| Application date | Application method | Precipitation 24 hours prior | Precipitation during application | Precipitation 24 hours following |
|---|---|---|---|---|
| 09/07/2023 | Surface (irrigation) | No precipitation | No precipitation | No precipitation |

| Source description | Material type | N (lbs/acre) | P (lbs/acre) | K (lbs/acre) | Salt (lbs/acre) | Amount |
|---|---|---|---|---|---|---|
| TID Lateral 3 | Surface water | 0.00 | 0.00 | 0.00 | 20.28 | 810,000.00 *gal* |
| Application event totals | | 0.00 | 0.00 | 0.00 | 20.28 | |

## Washington - 10/28/2022: Oats, silage-soft dough

Field name: Washington

Crop: Oats, silage-soft dough

Plant date: 10/28/2022

| Application date | Application method | Precipitation 24 hours prior | Precipitation during application | Precipitation 24 hours following |
|---|---|---|---|---|
| 10/02/2022 | Broadcast/incorporate | No precipitation | No precipitation | No precipitation |

| Source description | Material type | N (lbs/acre) | P (lbs/acre) | K (lbs/acre) | Salt (lbs/acre) | Amount |
|---|---|---|---|---|---|---|
| Separator Solids | Separator solids | 244.64 | 42.21 | 114.08 | 1,521.07 | 460.00 *ton* |
| Application event totals | | 244.64 | 42.21 | 114.08 | 1,521.07 | |

## Washington - 10/28/2022: Oats, silage-soft dough

| Application date | Application method | Precipitation 24 hours prior | Precipitation during application | Precipitation 24 hours following |
|---|---|---|---|---|
| 10/10/2022 | Surface (irrigation) | No precipitation | No precipitation | No precipitation |

| Source description | Material type | N (lbs/acre) | P (lbs/acre) | K (lbs/acre) | Salt (lbs/acre) | Amount |
|---|---|---|---|---|---|---|
| TID Lateral 4 | Surface water | 0.00 | 0.00 | 0.00 | 0.00 | 3,037,500.00 *gal* |
| Application event totals | | 0.00 | 0.00 | 0.00 | 0.00 | |

| | | | | |
|---|---|---|---|---|
| 04/06/2023 | Surface (irrigation) | No precipitation | No precipitation | No precipitation |

| Source description | Material type | N (lbs/acre) | P (lbs/acre) | K (lbs/acre) | Salt (lbs/acre) | Amount |
|---|---|---|---|---|---|---|
| TID Lateral 4 | Surface water | 0.00 | 0.00 | 0.00 | 34.17 | 2,835,000.00 *gal* |
| Application event totals | | 0.00 | 0.00 | 0.00 | 34.17 | |

## Washington - 06/05/2023: Corn, silage

Field name: Washington

Crop: Corn, silage

Plant date: 06/05/2023

| Application date | Application method | Precipitation 24 hours prior | Precipitation during application | Precipitation 24 hours following |
|---|---|---|---|---|
| 05/04/2023 | Broadcast/incorporate | No precipitation | No precipitation | No precipitation |

| Source description | Material type | N (lbs/acre) | P (lbs/acre) | K (lbs/acre) | Salt (lbs/acre) | Amount |
|---|---|---|---|---|---|---|
| Separator Solids | Separator solids | 246.28 | 31.95 | 100.75 | 2,281.94 | 310.00 *ton* |
| Application event totals | | 246.28 | 31.95 | 100.75 | 2,281.94 | |

| | | | | |
|---|---|---|---|---|
| 05/26/2023 | Surface (irrigation) | No precipitation | No precipitation | No precipitation |

| Source description | Material type | N (lbs/acre) | P (lbs/acre) | K (lbs/acre) | Salt (lbs/acre) | Amount |
|---|---|---|---|---|---|---|
| TID Lateral 4 | Surface water | 0.00 | 0.00 | 0.00 | 36.61 | 3,037,500.00 *gal* |
| Application event totals | | 0.00 | 0.00 | 0.00 | 36.61 | |

| | | | | |
|---|---|---|---|---|
| 06/05/2023 | Sidedress | No precipitation | No precipitation | No precipitation |

| Source description | Material type | N (lbs/acre) | P (lbs/acre) | K (lbs/acre) | Salt (lbs/acre) | Amount |
|---|---|---|---|---|---|---|
| 15-15-15 | Solid commercial fertilizer | 15.00 | 6.60 | 12.50 | 0.00 | |
| Application event totals | | 15.00 | 6.60 | 12.50 | 0.00 | |

Washington - 06/05/2023: Corn, silage

| Application date | Application method | Precipitation 24 hours prior | Precipitation during application | Precipitation 24 hours following |
|---|---|---|---|---|
| 07/05/2023 | Surface (irrigation) | No precipitation | No precipitation | No precipitation |

| Source description | Material type | N (lbs/acre) | P (lbs/acre) | K (lbs/acre) | Salt (lbs/acre) | Amount |
|---|---|---|---|---|---|---|
| TID Lateral 4 | Surface water | 0.00 | 0.00 | 0.00 | 34.17 | 2,835,000.00 *gal* |
| Application event totals | | 0.00 | 0.00 | 0.00 | 34.17 | |

| Application date | Application method | Precipitation 24 hours prior | Precipitation during application | Precipitation 24 hours following |
|---|---|---|---|---|
| 07/03/2023 | Sidedress | No precipitation | No precipitation | No precipitation |

| Source description | Material type | N (lbs/acre) | P (lbs/acre) | K (lbs/acre) | Salt (lbs/acre) | Amount |
|---|---|---|---|---|---|---|
| UN32 | Solid commercial fertilizer | 48.00 | 0.00 | 0.00 | 0.00 | |
| Application event totals | | 48.00 | 0.00 | 0.00 | 0.00 | |

| Application date | Application method | Precipitation 24 hours prior | Precipitation during application | Precipitation 24 hours following |
|---|---|---|---|---|
| 07/16/2023 | Surface (irrigation) | No precipitation | No precipitation | No precipitation |

| Source description | Material type | N (lbs/acre) | P (lbs/acre) | K (lbs/acre) | Salt (lbs/acre) | Amount |
|---|---|---|---|---|---|---|
| TID Lateral 4 | Surface water | 0.00 | 0.00 | 0.00 | 34.17 | 2,835,000.00 *gal* |
| Application event totals | | 0.00 | 0.00 | 0.00 | 34.17 | |

| Application date | Application method | Precipitation 24 hours prior | Precipitation during application | Precipitation 24 hours following |
|---|---|---|---|---|
| 07/27/2023 | Surface (irrigation) | No precipitation | No precipitation | No precipitation |

| Source description | Material type | N (lbs/acre) | P (lbs/acre) | K (lbs/acre) | Salt (lbs/acre) | Amount |
|---|---|---|---|---|---|---|
| TID Lateral 4 | Surface water | 0.00 | 0.00 | 0.00 | 31.73 | 2,632,500.00 *gal* |
| Application event totals | | 0.00 | 0.00 | 0.00 | 31.73 | |

| Application date | Application method | Precipitation 24 hours prior | Precipitation during application | Precipitation 24 hours following |
|---|---|---|---|---|
| 08/07/2023 | Surface (irrigation) | No precipitation | No precipitation | No precipitation |

| Source description | Material type | N (lbs/acre) | P (lbs/acre) | K (lbs/acre) | Salt (lbs/acre) | Amount |
|---|---|---|---|---|---|---|
| TID Lateral 4 | Surface water | 0.00 | 0.00 | 0.00 | 29.29 | 2,430,000.00 *gal* |
| Application event totals | | 0.00 | 0.00 | 0.00 | 29.29 | |

| Application date | Application method | Precipitation 24 hours prior | Precipitation during application | Precipitation 24 hours following |
|---|---|---|---|---|
| 08/18/2023 | Surface (irrigation) | No precipitation | No precipitation | No precipitation |

| Source description | Material type | N (lbs/acre) | P (lbs/acre) | K (lbs/acre) | Salt (lbs/acre) | Amount |
|---|---|---|---|---|---|---|
| TID Lateral 4 | Surface water | 0.00 | 0.00 | 0.00 | 29.29 | 2,430,000.00 *gal* |
| Application event totals | | 0.00 | 0.00 | 0.00 | 29.29 | |

Washington - 06/05/2023: Corn, silage

| Application date | Application method | Precipitation 24 hours prior | Precipitation during application | Precipitation 24 hours following |
|---|---|---|---|---|
| 08/29/2023 | Surface (irrigation) | No precipitation | No precipitation | No precipitation |

| Source description | Material type | N (lbs/acre) | P (lbs/acre) | K (lbs/acre) | Salt (lbs/acre) | Amount |
|---|---|---|---|---|---|---|
| TID Lateral 4 | Surface water | 0.00 | 0.00 | 0.00 | 29.29 | 2,430,000.00 *gal* |
| Application event totals | | 0.00 | 0.00 | 0.00 | 29.29 | |

| Application date | Application method | Precipitation 24 hours prior | Precipitation during application | Precipitation 24 hours following |
|---|---|---|---|---|
| 09/09/2023 | Surface (irrigation) | No precipitation | No precipitation | No precipitation |

| Source description | Material type | N (lbs/acre) | P (lbs/acre) | K (lbs/acre) | Salt (lbs/acre) | Amount |
|---|---|---|---|---|---|---|
| TID Lateral 4 | Surface water | 0.00 | 0.00 | 0.00 | 26.85 | 2,227,500.00 *gal* |
| Application event totals | | 0.00 | 0.00 | 0.00 | 26.85 | |

## B. NUTRIENT BUDGET

2301 - 10/26/2022: Oats, silage-soft dough

Field name: 2301 Crop: Oats, silage-soft dough Plant date: 10/26/2022

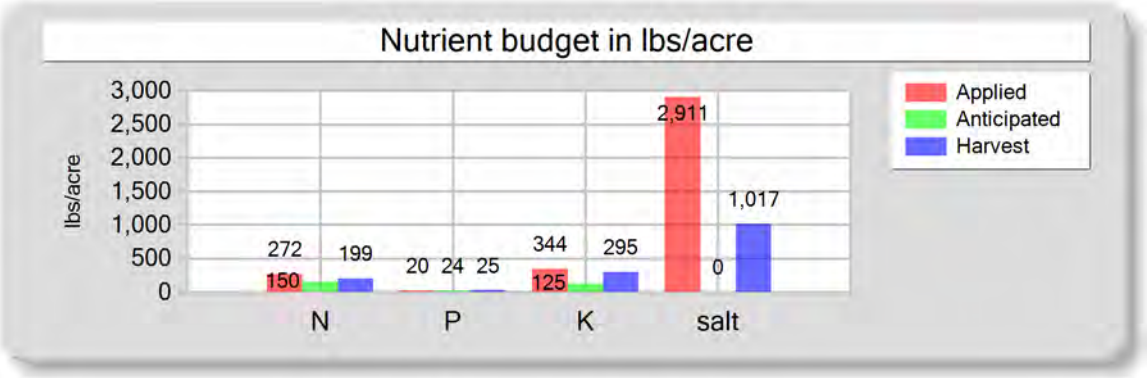


| | Total N (lbs/acre) | Total P (lbs/acre) | Total K (lbs/acre) | Total salt (lbs/acre) |
|---|---|---|---|---|
| Existing soil nutrient content | 0.00 | 0.00 | 0.00 | 0.00 |
| Plowdown credit | 0.00 | 0.00 | 0.00 | 0.00 |
| Commercial fertilizer / Other | 0.00 | 0.00 | 0.00 | 0.00 |
| Dry manure | 0.00 | 0.00 | 0.00 | 0.00 |
| Process wastewater | 251.92 | 20.26 | 344.17 | 2,747.56 |
| Fresh water | 13.41 | 0.00 | 0.00 | 163.41 |
| Atmospheric deposition | 7.00 | 0.00 | 0.00 | 0.00 |
| Total nutrients applied | 272.34 | 20.26 | 344.17 | 2,910.96 |
| Anticipated crop nutrient removal | 150.00 | 24.00 | 124.50 | 0.00 |
| Actual crop nutrient removal | 198.67 | 24.73 | 294.53 | 1,016.79 |
| Nutrient balance | 73.67 | -4.47 | 49.65 | 1,894.17 |
| Applied to removed ratio | 1.37 | 0.82 | 1.17 | 2.86 |

| Fresh water applied | |
|---|---|
| 7,380,000.00 | *gallons* |
| 271.78 | *acre-inches* |
| 9.71 | *inches/acre* |

| Process wastewater applied | |
|---|---|
| 1,224,000.00 | *gallons* |
| 45.08 | *acre-inches* |
| 1.61 | *inches/acre* |

| Total harvests for the crop | |
|---|---|
| 1 | *harvests* |

## 2301 - 06/03/2023: Corn, silage

Field name: 2301 Crop: Corn, silage Plant date: 06/03/2023

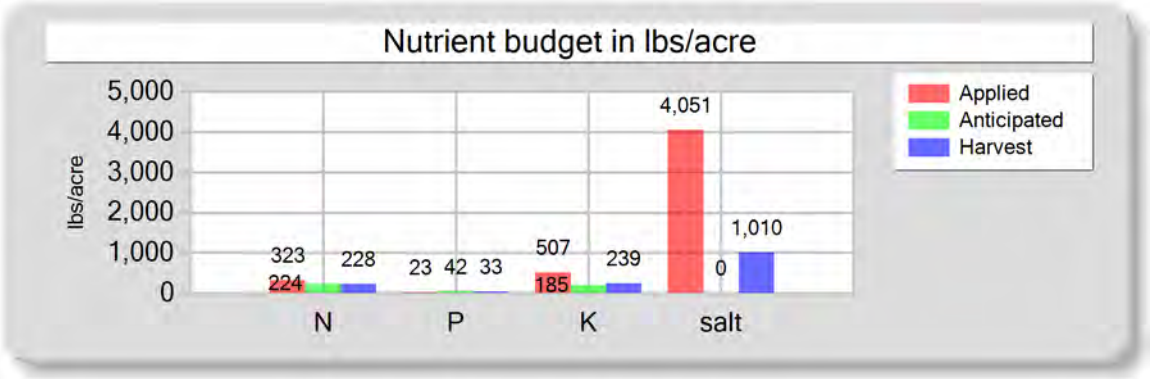


| | Total N (lbs/acre) | Total P (lbs/acre) | Total K (lbs/acre) | Total salt (lbs/acre) |
|---|---|---|---|---|
| Existing soil nutrient content | 0.00 | 0.00 | 0.00 | 0.00 |
| Plowdown credit | 0.00 | 0.00 | 0.00 | 0.00 |
| Commercial fertilizer / Other | 15.00 | 6.60 | 12.50 | 0.00 |
| Dry manure | 0.00 | 0.00 | 0.00 | 0.00 |
| Process wastewater | 300.70 | 16.64 | 494.45 | 3,821.13 |
| Fresh water | 0.00 | 0.00 | 0.00 | 230.30 |
| Atmospheric deposition | 7.00 | 0.00 | 0.00 | 0.00 |
| Total nutrients applied | 322.70 | 23.24 | 506.95 | 4,051.43 |
| Anticipated crop nutrient removal | 224.00 | 42.00 | 184.80 | 0.00 |
| Actual crop nutrient removal | 227.61 | 32.73 | 238.69 | 1,010.16 |
| Nutrient balance | 95.08 | -9.50 | 268.26 | 3,041.27 |
| Applied to removed ratio | 1.42 | 0.71 | 2.12 | 4.01 |

| Fresh water applied | |
|---|---|
| 28,620,000.00 | *gallons* |
| 1,053.98 | *acre-inches* |
| 37.64 | *inches/acre* |

| Process wastewater applied | |
|---|---|
| 1,476,000.00 | *gallons* |
| 54.36 | *acre-inches* |
| 1.94 | *inches/acre* |

| Total harvests for the crop | |
|---|---|
| 1 | *harvests* |

## Almonds - 01/01/1997: Almond, in shell

Field name: Almonds | Crop: Almond, in shell | Plant date: 01/01/1997

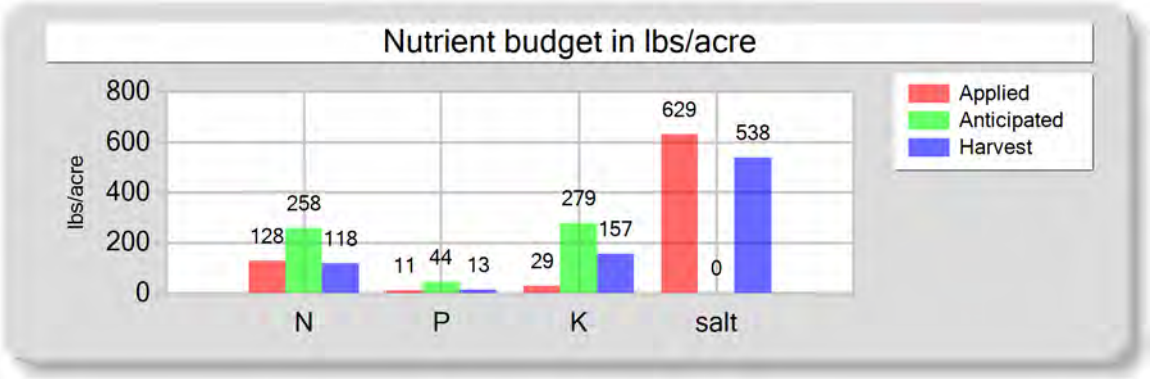


| | Total N (lbs/acre) | Total P (lbs/acre) | Total K (lbs/acre) | Total salt (lbs/acre) |
|---|---|---|---|---|
| Existing soil nutrient content | 0.00 | 0.00 | 0.00 | 0.00 |
| Plowdown credit | 0.00 | 0.00 | 0.00 | 0.00 |
| Commercial fertilizer / Other | 51.20 | 0.00 | 0.00 | 0.00 |
| Dry manure | 62.49 | 10.78 | 29.14 | 388.53 |
| Process wastewater | 0.00 | 0.00 | 0.00 | 0.00 |
| Fresh water | 0.00 | 0.00 | 0.00 | 240.65 |
| Atmospheric deposition | 14.00 | 0.00 | 0.00 | 0.00 |
| Total nutrients applied | 127.69 | 10.78 | 29.14 | 629.18 |
| Anticipated crop nutrient removal | 258.00 | 43.80 | 279.00 | 0.00 |
| Actual crop nutrient removal | 117.94 | 12.76 | 156.54 | 537.83 |
| Nutrient balance | 9.74 | -1.98 | -127.40 | 91.36 |
| Applied to removed ratio | 1.08 | 0.85 | 0.19 | 1.17 |

| Fresh water applied | |
|---|---|
| 79,380,000.00 | *gallons* |
| 2,923.30 | *acre-inches* |
| 40.60 | *inches/acre* |

| Process wastewater applied | |
|---|---|
| 0.00 | *gallons* |
| 0.00 | *acre-inches* |
| 0.00 | *inches/acre* |

| Total harvests for the crop | |
|---|---|
| 1 | *harvests* |

## Cooks - 10/26/2022: Oats, silage-soft dough

Field name: Cooks | Crop: Oats, silage-soft dough | Plant date: 10/26/2022

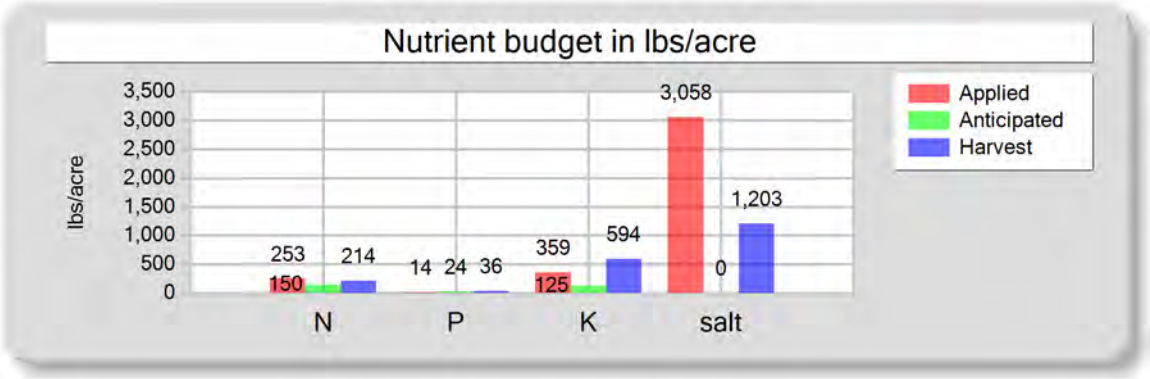


| | Total N (lbs/acre) | Total P (lbs/acre) | Total K (lbs/acre) | Total salt (lbs/acre) |
|---|---|---|---|---|
| Existing soil nutrient content | 0.00 | 0.00 | 0.00 | 0.00 |
| Plowdown credit | 0.00 | 0.00 | 0.00 | 0.00 |
| Commercial fertilizer / Other | 0.00 | 0.00 | 0.00 | 0.00 |
| Dry manure | 0.00 | 0.00 | 0.00 | 0.00 |
| Process wastewater | 246.07 | 13.87 | 358.62 | 3,020.84 |
| Fresh water | 0.00 | 0.00 | 0.00 | 37.44 |
| Atmospheric deposition | 7.00 | 0.00 | 0.00 | 0.00 |
| Total nutrients applied | 253.07 | 13.87 | 358.62 | 3,058.28 |
| Anticipated crop nutrient removal | 150.00 | 24.00 | 124.50 | 0.00 |
| Actual crop nutrient removal | 213.66 | 35.83 | 594.22 | 1,202.76 |
| Nutrient balance | 39.41 | -21.96 | -235.59 | 1,855.51 |
| Applied to removed ratio | 1.18 | 0.39 | 0.60 | 2.54 |

| Fresh water applied | |
|---|---|
| 4,455,000.00 | *gallons* |
| 164.06 | *acre-inches* |
| 12.62 | *inches/acre* |

| Process wastewater applied | |
|---|---|
| 594,000.00 | *gallons* |
| 21.88 | *acre-inches* |
| 1.68 | *inches/acre* |

| Total harvests for the crop | |
|---|---|
| 1 | *harvests* |

## Cooks - 06/04/2023: Corn, silage

Field name: Cooks | Crop: Corn, silage | Plant date: 06/04/2023

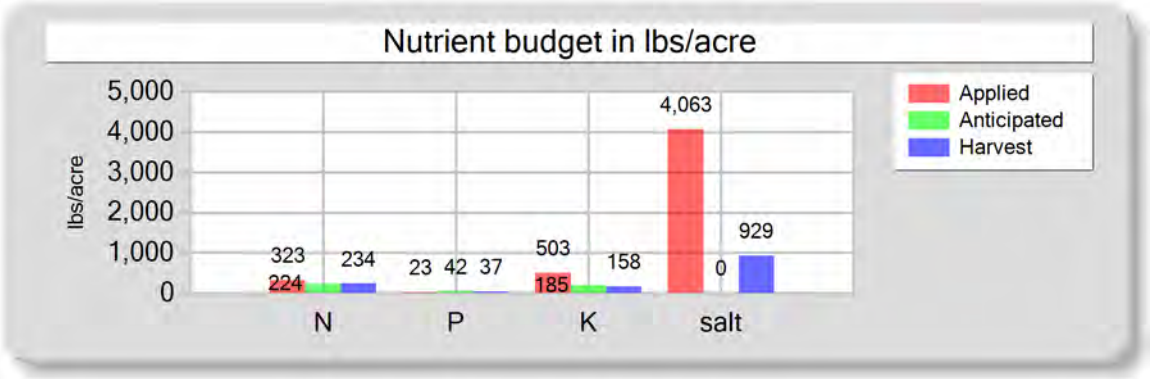


| | Total N (lbs/acre) | Total P (lbs/acre) | Total K (lbs/acre) | Total salt (lbs/acre) |
|---|---|---|---|---|
| Existing soil nutrient content | 0.00 | 0.00 | 0.00 | 0.00 |
| Plowdown credit | 0.00 | 0.00 | 0.00 | 0.00 |
| Commercial fertilizer / Other | 15.00 | 6.60 | 12.50 | 0.00 |
| Dry manure | 0.00 | 0.00 | 0.00 | 0.00 |
| Process wastewater | 301.30 | 16.44 | 490.19 | 3,832.90 |
| Fresh water | 0.00 | 0.00 | 0.00 | 229.82 |
| Atmospheric deposition | 7.00 | 0.00 | 0.00 | 0.00 |
| Total nutrients applied | 323.30 | 23.04 | 502.69 | 4,062.72 |
| Anticipated crop nutrient removal | 224.00 | 42.00 | 184.80 | 0.00 |
| Actual crop nutrient removal | 234.01 | 36.83 | 158.03 | 929.32 |
| Nutrient balance | 89.29 | -13.78 | 344.67 | 3,133.39 |
| Applied to removed ratio | 1.38 | 0.63 | 3.18 | 4.37 |

| Fresh water applied | |
|---|---|
| 13,770,000.00 | *gallons* |
| 507.10 | *acre-inches* |
| 39.01 | *inches/acre* |

| Process wastewater applied | |
|---|---|
| 684,000.00 | *gallons* |
| 25.19 | *acre-inches* |
| 1.94 | *inches/acre* |

| Total harvests for the crop | |
|---|---|
| 1 | *harvests* |

D. Melo - 10/25/2022: Oats, silage-soft dough

Field name: D. Melo  Crop: Oats, silage-soft dough  Plant date: 10/25/2022

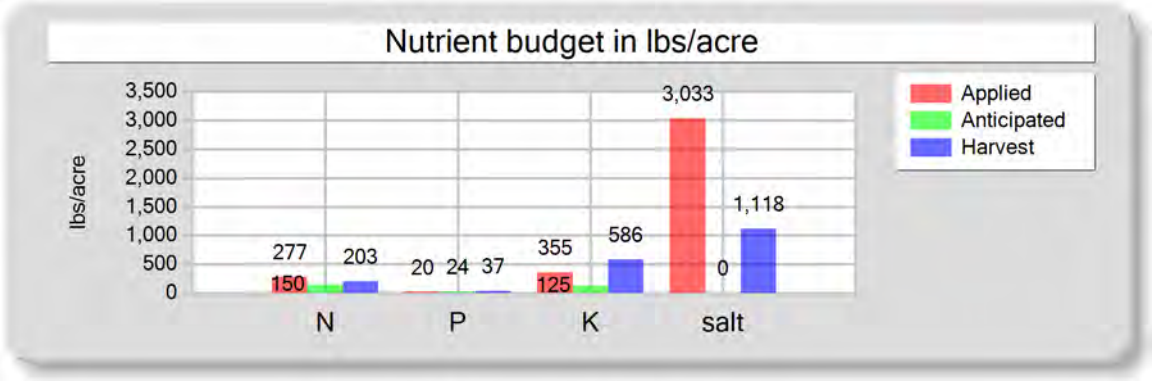


| | Total N (lbs/acre) | Total P (lbs/acre) | Total K (lbs/acre) | Total salt (lbs/acre) |
|---|---|---|---|---|
| Existing soil nutrient content | 0.00 | 0.00 | 0.00 | 0.00 |
| Plowdown credit | 0.00 | 0.00 | 0.00 | 0.00 |
| Commercial fertilizer / Other | 0.00 | 0.00 | 0.00 | 0.00 |
| Dry manure | 0.00 | 0.00 | 0.00 | 0.00 |
| Process wastewater | 258.59 | 19.66 | 354.80 | 2,882.53 |
| Fresh water | 11.74 | 0.00 | 0.00 | 150.59 |
| Atmospheric deposition | 7.00 | 0.00 | 0.00 | 0.00 |
| Total nutrients applied | 277.32 | 19.66 | 354.80 | 3,033.12 |
| Anticipated crop nutrient removal | 150.00 | 24.00 | 124.50 | 0.00 |
| Actual crop nutrient removal | 203.10 | 37.33 | 585.68 | 1,117.71 |
| Nutrient balance | 74.22 | -17.67 | -230.88 | 1,915.40 |
| Applied to removed ratio | 1.37 | 0.53 | 0.61 | 2.71 |

| Fresh water applied | |
|---|---|
| 4,500,000.00 | *gallons* |
| 165.72 | *acre-inches* |
| 10.36 | *inches/acre* |

| Process wastewater applied | |
|---|---|
| 720,000.00 | *gallons* |
| 26.52 | *acre-inches* |
| 1.66 | *inches/acre* |

| Total harvests for the crop | |
|---|---|
| 1 | *harvests* |

D. Melo - 06/02/2023: Corn, silage

Field name: D. Melo  Crop: Corn, silage  Plant date: 06/02/2023

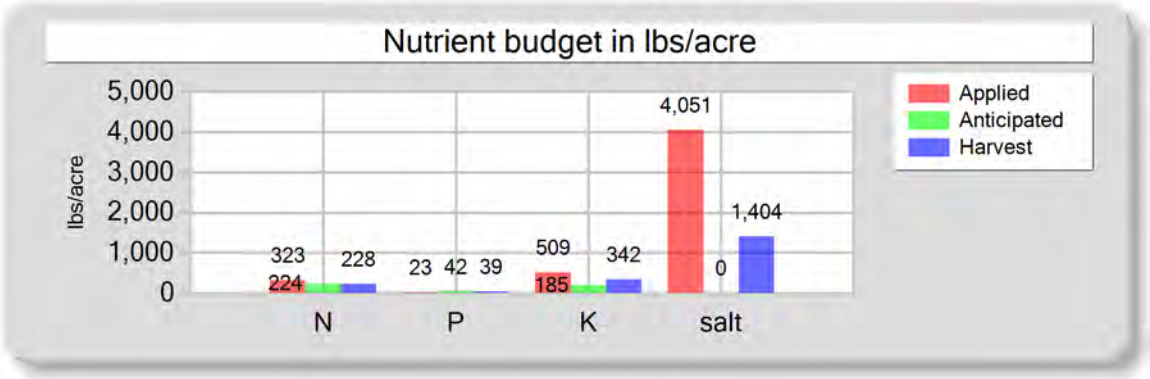


| | Total N (lbs/acre) | Total P (lbs/acre) | Total K (lbs/acre) | Total salt (lbs/acre) |
|---|---|---|---|---|
| Existing soil nutrient content | 0.00 | 0.00 | 0.00 | 0.00 |
| Plowdown credit | 0.00 | 0.00 | 0.00 | 0.00 |
| Commercial fertilizer / Other | 15.00 | 6.60 | 12.50 | 0.00 |
| Dry manure | 0.00 | 0.00 | 0.00 | 0.00 |
| Process wastewater | 301.34 | 16.72 | 496.74 | 3,828.29 |
| Fresh water | 0.00 | 0.00 | 0.00 | 222.43 |
| Atmospheric deposition | 7.00 | 0.00 | 0.00 | 0.00 |
| Total nutrients applied | 323.34 | 23.32 | 509.24 | 4,050.72 |
| Anticipated crop nutrient removal | 224.00 | 42.00 | 184.80 | 0.00 |
| Actual crop nutrient removal | 228.39 | 39.47 | 341.54 | 1,403.82 |
| Nutrient balance | 94.95 | -16.14 | 167.71 | 2,646.89 |
| Applied to removed ratio | 1.42 | 0.59 | 1.49 | 2.89 |

| Fresh water applied | |
|---|---|
| 15,795,000.00 | *gallons* |
| 581.68 | *acre-inches* |
| 36.35 | *inches/acre* |

| Process wastewater applied | |
|---|---|
| 846,000.00 | *gallons* |
| 31.16 | *acre-inches* |
| 1.95 | *inches/acre* |

| Total harvests for the crop | |
|---|---|
| 1 | *harvests* |

House - 10/25/2022: Oats, silage-soft dough

Field name: House | Crop: Oats, silage-soft dough | Plant date: 10/25/2022

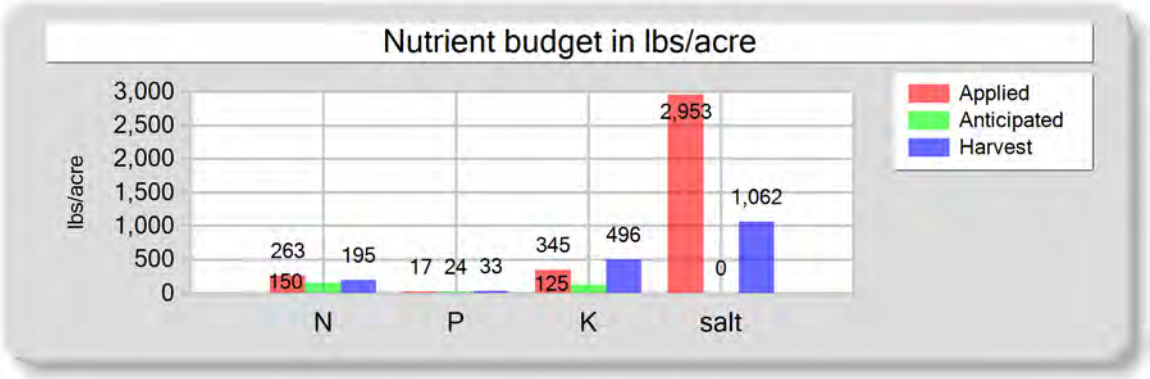


| | Total N (lbs/acre) | Total P (lbs/acre) | Total K (lbs/acre) | Total salt (lbs/acre) |
|---|---|---|---|---|
| Existing soil nutrient content | 0.00 | 0.00 | 0.00 | 0.00 |
| Plowdown credit | 0.00 | 0.00 | 0.00 | 0.00 |
| Commercial fertilizer / Other | 0.00 | 0.00 | 0.00 | 0.00 |
| Dry manure | 0.00 | 0.00 | 0.00 | 0.00 |
| Process wastewater | 247.60 | 17.46 | 345.20 | 2,838.05 |
| Fresh water | 8.16 | 0.00 | 0.00 | 115.34 |
| Atmospheric deposition | 7.00 | 0.00 | 0.00 | 0.00 |
| Total nutrients applied | 262.76 | 17.46 | 345.20 | 2,953.39 |
| Anticipated crop nutrient removal | 150.00 | 24.00 | 124.50 | 0.00 |
| Actual crop nutrient removal | 195.07 | 32.83 | 495.57 | 1,061.85 |
| Nutrient balance | 67.69 | -15.37 | -150.38 | 1,891.54 |
| Applied to removed ratio | 1.35 | 0.53 | 0.70 | 2.78 |

| Fresh water applied | |
|---|---|
| 6,660,000.00 | *gallons* |
| 245.27 | *acre-inches* |
| 10.66 | *inches/acre* |

| Process wastewater applied | |
|---|---|
| 1,008,000.00 | *gallons* |
| 37.12 | *acre-inches* |
| 1.61 | *inches/acre* |

| Total harvests for the crop | |
|---|---|
| 1 | *harvests* |

House - 06/02/2023: Corn, silage

Field name: House | Crop: Corn, silage | Plant date: 06/02/2023

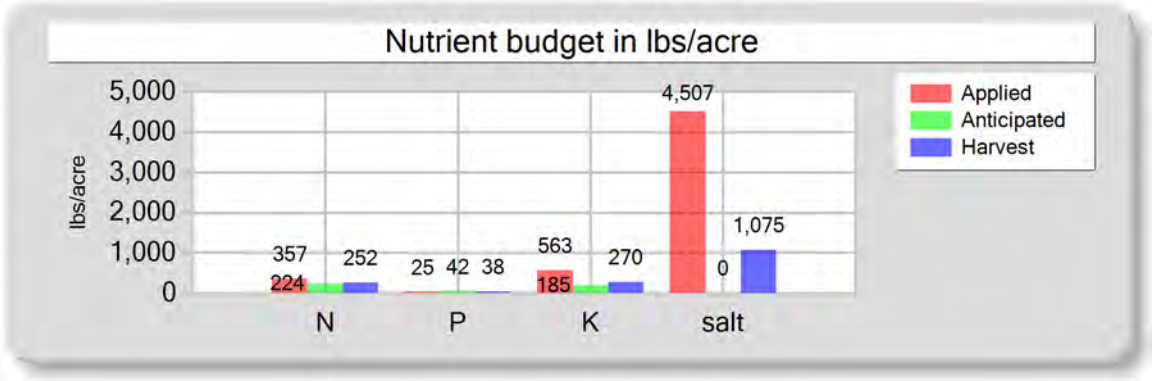


| | Total N (lbs/acre) | Total P (lbs/acre) | Total K (lbs/acre) | Total salt (lbs/acre) |
|---|---|---|---|---|
| Existing soil nutrient content | 0.00 | 0.00 | 0.00 | 0.00 |
| Plowdown credit | 0.00 | 0.00 | 0.00 | 0.00 |
| Commercial fertilizer / Other | 15.00 | 6.60 | 12.50 | 0.00 |
| Dry manure | 0.00 | 0.00 | 0.00 | 0.00 |
| Process wastewater | 334.67 | 18.54 | 550.98 | 4,252.25 |
| Fresh water | 0.00 | 0.00 | 0.00 | 255.24 |
| Atmospheric deposition | 7.00 | 0.00 | 0.00 | 0.00 |
| Total nutrients applied | 356.67 | 25.14 | 563.48 | 4,507.49 |
| Anticipated crop nutrient removal | 224.00 | 42.00 | 184.80 | 0.00 |
| Actual crop nutrient removal | 252.05 | 37.86 | 270.43 | 1,075.25 |
| Nutrient balance | 104.62 | -12.72 | 293.05 | 3,432.24 |
| Applied to removed ratio | 1.42 | 0.66 | 2.08 | 4.19 |

| Fresh water applied | |
|---|---|
| 26,055,000.00 | *gallons* |
| 959.52 | *acre-inches* |
| 41.72 | *inches/acre* |

| Process wastewater applied | |
|---|---|
| 1,350,000.00 | *gallons* |
| 49.72 | *acre-inches* |
| 2.16 | *inches/acre* |

| Total harvests for the crop | |
|---|---|
| 1 | *harvests* |

J. Melo 1 - 01/22/2019: Almond, in shell

Field name: J. Melo 1 Crop: Almond, in shell Plant date: 01/22/2019

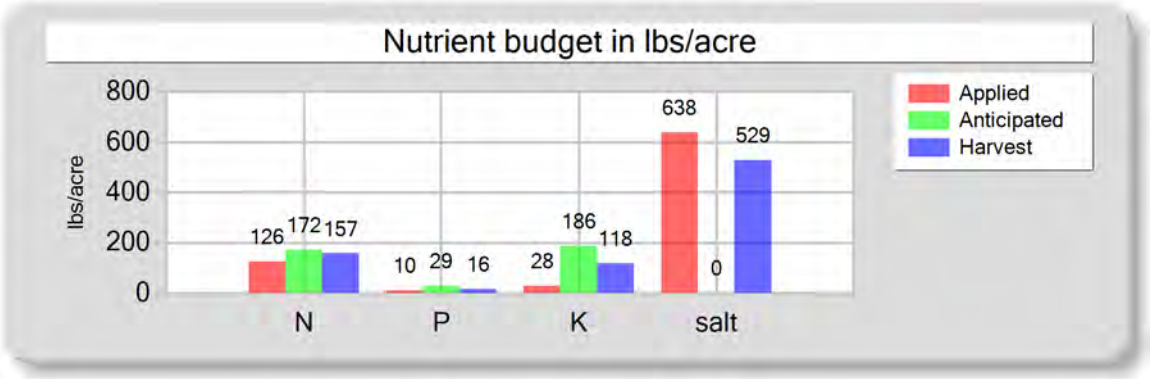


| | Total N (lbs/acre) | Total P (lbs/acre) | Total K (lbs/acre) | Total salt (lbs/acre) |
|---|---|---|---|---|
| Existing soil nutrient content | 0.00 | 0.00 | 0.00 | 0.00 |
| Plowdown credit | 0.00 | 0.00 | 0.00 | 0.00 |
| Commercial fertilizer / Other | 51.20 | 0.00 | 0.00 | 0.00 |
| Dry manure | 60.46 | 10.43 | 28.19 | 375.92 |
| Process wastewater | 0.00 | 0.00 | 0.00 | 0.00 |
| Fresh water | 0.00 | 0.00 | 0.00 | 262.55 |
| Atmospheric deposition | 14.00 | 0.00 | 0.00 | 0.00 |
| Total nutrients applied | 125.66 | 10.43 | 28.19 | 638.47 |
| Anticipated crop nutrient removal | 172.00 | 29.20 | 186.00 | 0.00 |
| Actual crop nutrient removal | 157.24 | 16.13 | 118.34 | 529.01 |
| Nutrient balance | -31.58 | -5.70 | -90.14 | 109.45 |
| Applied to removed ratio | 0.80 | 0.65 | 0.24 | 1.21 |

| Fresh water applied | |
|---|---|
| 22,140,000.00 | *gallons* |
| 815.34 | *acre-inches* |
| 42.91 | *inches/acre* |

| Process wastewater applied | |
|---|---|
| 0.00 | *gallons* |
| 0.00 | *acre-inches* |
| 0.00 | *inches/acre* |

| Total harvests for the crop | |
|---|---|
| 1 | *harvests* |

## J. Melo 2 - 10/25/2022: Oats, silage-soft dough

Field name: J. Melo 2 Crop: Oats, silage-soft dough Plant date: 10/25/2022

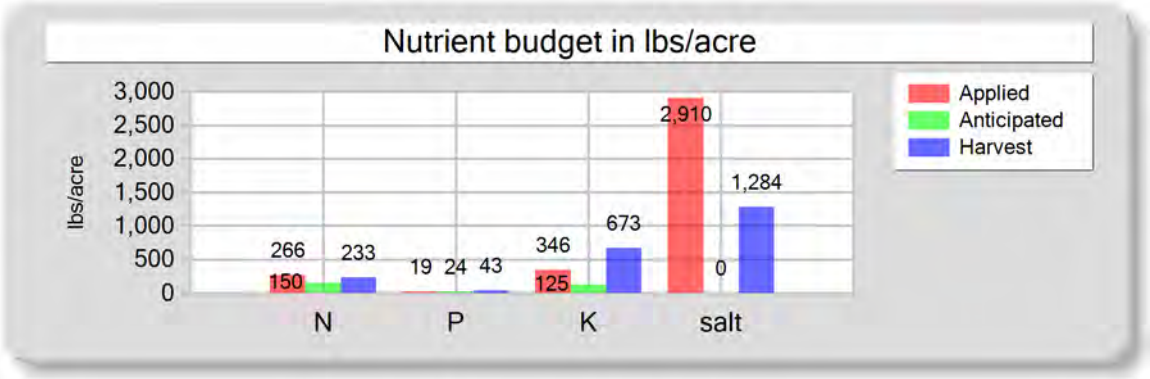


| | Total N (lbs/acre) | Total P (lbs/acre) | Total K (lbs/acre) | Total salt (lbs/acre) |
|---|---|---|---|---|
| Existing soil nutrient content | 0.00 | 0.00 | 0.00 | 0.00 |
| Plowdown credit | 0.00 | 0.00 | 0.00 | 0.00 |
| Commercial fertilizer / Other | 0.00 | 0.00 | 0.00 | 0.00 |
| Dry manure | 0.00 | 0.00 | 0.00 | 0.00 |
| Process wastewater | 248.55 | 18.88 | 345.72 | 2,775.88 |
| Fresh water | 10.43 | 0.00 | 0.00 | 133.85 |
| Atmospheric deposition | 7.00 | 0.00 | 0.00 | 0.00 |
| Total nutrients applied | 265.98 | 18.88 | 345.72 | 2,909.73 |
| Anticipated crop nutrient removal | 150.00 | 24.00 | 124.50 | 0.00 |
| Actual crop nutrient removal | 233.25 | 42.87 | 672.60 | 1,283.60 |
| Nutrient balance | 32.73 | -24.00 | -326.88 | 1,626.13 |
| Applied to removed ratio | 1.14 | 0.44 | 0.51 | 2.27 |

| Fresh water applied | |
|---|---|
| 5,040,000.00 | *gallons* |
| 185.61 | *acre-inches* |
| 10.31 | *inches/acre* |

| Process wastewater applied | |
|---|---|
| 792,000.00 | *gallons* |
| 29.17 | *acre-inches* |
| 1.62 | *inches/acre* |

| Total harvests for the crop | |
|---|---|
| 1 | *harvests* |

## J. Melo 2 - 06/02/2023: Corn, silage

Field name: J. Melo 2 Crop: Corn, silage Plant date: 06/02/2023

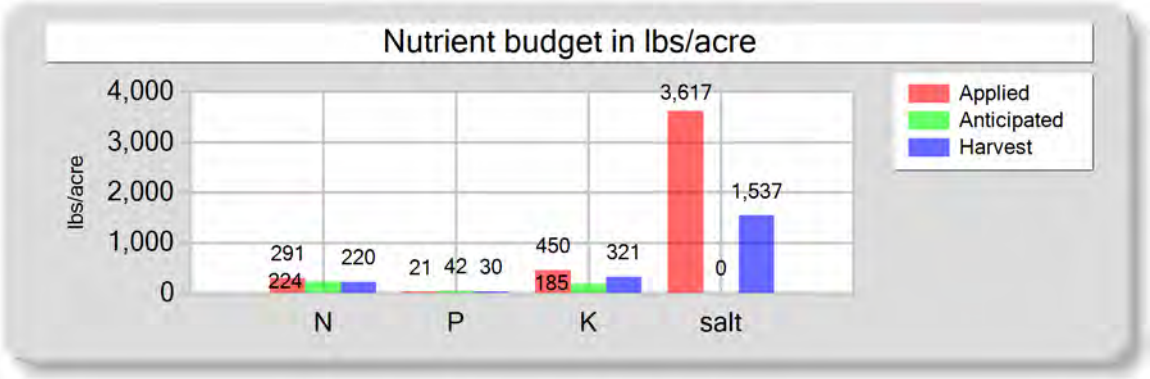


| | Total N (lbs/acre) | Total P (lbs/acre) | Total K (lbs/acre) | Total salt (lbs/acre) |
|---|---|---|---|---|
| Existing soil nutrient content | 0.00 | 0.00 | 0.00 | 0.00 |
| Plowdown credit | 0.00 | 0.00 | 0.00 | 0.00 |
| Commercial fertilizer / Other | 15.00 | 6.60 | 12.50 | 0.00 |
| Dry manure | 0.00 | 0.00 | 0.00 | 0.00 |
| Process wastewater | 269.29 | 14.67 | 437.44 | 3,426.29 |
| Fresh water | 0.00 | 0.00 | 0.00 | 190.95 |
| Atmospheric deposition | 7.00 | 0.00 | 0.00 | 0.00 |
| Total nutrients applied | 291.29 | 21.27 | 449.94 | 3,617.24 |
| Anticipated crop nutrient removal | 224.00 | 42.00 | 184.80 | 0.00 |
| Actual crop nutrient removal | 219.61 | 30.17 | 320.97 | 1,537.29 |
| Nutrient balance | 71.68 | -8.90 | 128.97 | 2,079.95 |
| Applied to removed ratio | 1.33 | 0.70 | 1.40 | 2.35 |

| Fresh water applied | |
|---|---|
| 15,255,000.00 | *gallons* |
| 561.79 | *acre-inches* |
| 31.21 | *inches/acre* |

| Process wastewater applied | |
|---|---|
| 846,000.00 | *gallons* |
| 31.16 | *acre-inches* |
| 1.73 | *inches/acre* |

| Total harvests for the crop | |
|---|---|
| 1 | *harvests* |

## Lagoon - 10/25/2022: Oats, silage-soft dough

Field name: Lagoon  Crop: Oats, silage-soft dough  Plant date: 10/25/2022

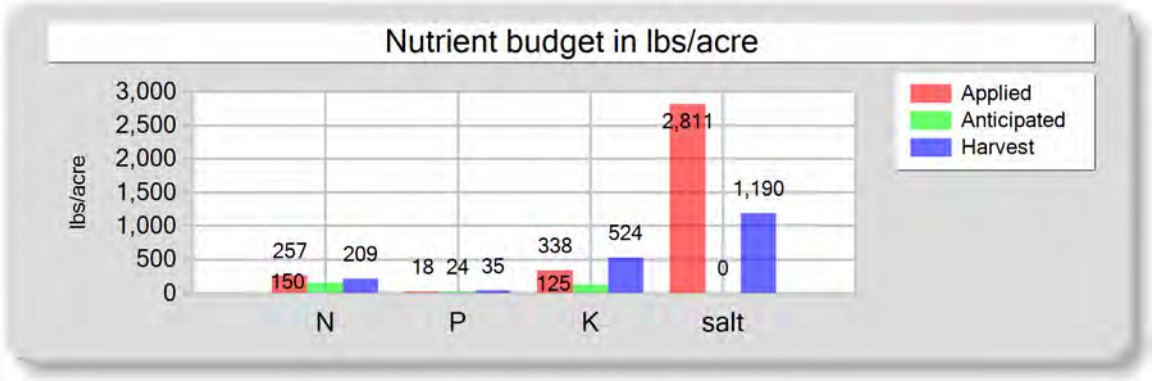


| | Total N (lbs/acre) | Total P (lbs/acre) | Total K (lbs/acre) | Total salt (lbs/acre) |
|---|---|---|---|---|
| Existing soil nutrient content | 0.00 | 0.00 | 0.00 | 0.00 |
| Plowdown credit | 0.00 | 0.00 | 0.00 | 0.00 |
| Commercial fertilizer / Other | 0.00 | 0.00 | 0.00 | 0.00 |
| Dry manure | 0.00 | 0.00 | 0.00 | 0.00 |
| Process wastewater | 240.52 | 18.25 | 338.45 | 2,690.56 |
| Fresh water | 9.39 | 0.00 | 0.00 | 120.47 |
| Atmospheric deposition | 7.00 | 0.00 | 0.00 | 0.00 |
| Total nutrients applied | 256.90 | 18.25 | 338.45 | 2,811.03 |
| Anticipated crop nutrient removal | 150.00 | 24.00 | 124.50 | 0.00 |
| Actual crop nutrient removal | 209.09 | 35.32 | 523.74 | 1,189.74 |
| Nutrient balance | 47.81 | -17.07 | -185.29 | 1,621.29 |
| Applied to removed ratio | 1.23 | 0.52 | 0.65 | 2.36 |

| Fresh water applied | |
|---|---|
| 2,790,000.00 | *gallons* |
| 102.75 | *acre-inches* |
| 10.27 | *inches/acre* |

| Process wastewater applied | |
|---|---|
| 432,000.00 | *gallons* |
| 15.91 | *acre-inches* |
| 1.59 | *inches/acre* |

| Total harvests for the crop | |
|---|---|
| 1 | *harvests* |

## Lagoon - 06/02/2023: Corn, silage

Field name: Lagoon  Crop: Corn, silage  Plant date: 06/02/2023

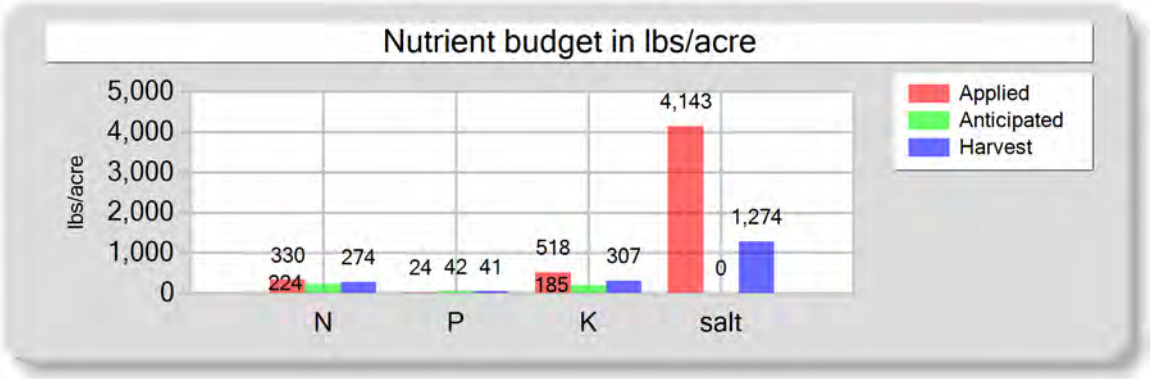


| | Total N (lbs/acre) | Total P (lbs/acre) | Total K (lbs/acre) | Total salt (lbs/acre) |
|---|---|---|---|---|
| Existing soil nutrient content | 0.00 | 0.00 | 0.00 | 0.00 |
| Plowdown credit | 0.00 | 0.00 | 0.00 | 0.00 |
| Commercial fertilizer / Other | 15.00 | 6.60 | 12.50 | 0.00 |
| Dry manure | 0.00 | 0.00 | 0.00 | 0.00 |
| Process wastewater | 308.41 | 16.99 | 505.43 | 3,920.48 |
| Fresh water | 0.00 | 0.00 | 0.00 | 222.05 |
| Atmospheric deposition | 7.00 | 0.00 | 0.00 | 0.00 |
| Total nutrients applied | 330.41 | 23.59 | 517.93 | 4,142.53 |
| Anticipated crop nutrient removal | 224.00 | 42.00 | 184.80 | 0.00 |
| Actual crop nutrient removal | 273.60 | 41.04 | 307.23 | 1,274.29 |
| Nutrient balance | 56.81 | -17.45 | 210.70 | 2,868.24 |
| Applied to removed ratio | 1.21 | 0.57 | 1.69 | 3.25 |

| Fresh water applied | |
|---|---|
| 9,855,000.00 | *gallons* |
| 362.93 | *acre-inches* |
| 36.29 | *inches/acre* |

| Process wastewater applied | |
|---|---|
| 540,000.00 | *gallons* |
| 19.89 | *acre-inches* |
| 1.99 | *inches/acre* |

| Total harvests for the crop | |
|---|---|
| 1 | *harvests* |

Mendosa - 01/22/2019: Almond, in shell

Field name: Mendosa  Crop: Almond, in shell  Plant date: 01/22/2019

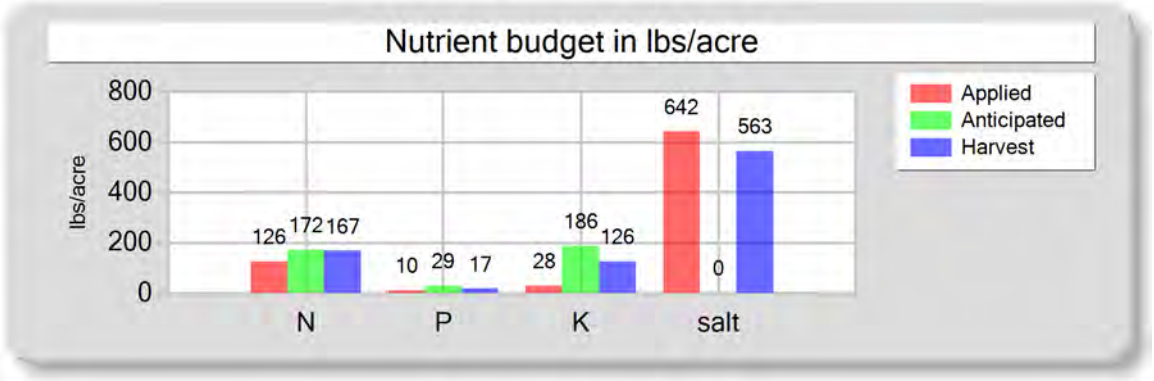


| | Total N (lbs/acre) | Total P (lbs/acre) | Total K (lbs/acre) | Total salt (lbs/acre) |
|---|---|---|---|---|
| Existing soil nutrient content | 0.00 | 0.00 | 0.00 | 0.00 |
| Plowdown credit | 0.00 | 0.00 | 0.00 | 0.00 |
| Commercial fertilizer / Other | 51.20 | 0.00 | 0.00 | 0.00 |
| Dry manure | 60.46 | 10.43 | 28.19 | 375.92 |
| Process wastewater | 0.00 | 0.00 | 0.00 | 0.00 |
| Fresh water | 0.00 | 0.00 | 0.00 | 265.75 |
| Atmospheric deposition | 14.00 | 0.00 | 0.00 | 0.00 |
| Total nutrients applied | 125.66 | 10.43 | 28.19 | 641.67 |
| Anticipated crop nutrient removal | 172.00 | 29.20 | 186.00 | 0.00 |
| Actual crop nutrient removal | 167.45 | 17.18 | 126.02 | 563.37 |
| Nutrient balance | -41.79 | -6.75 | -97.83 | 78.30 |
| Applied to removed ratio | 0.75 | 0.61 | 0.22 | 1.14 |

| Fresh water applied | |
|---|---|
| 22,410,000.00 | *gallons* |
| 825.28 | *acre-inches* |
| 43.44 | *inches/acre* |

| Process wastewater applied | |
|---|---|
| 0.00 | *gallons* |
| 0.00 | *acre-inches* |
| 0.00 | *inches/acre* |

| Total harvests for the crop | |
|---|---|
| 1 | *harvests* |

Taylor/Moffet - 10/26/2022: Oats, silage-soft dough

Field name: Taylor/Moffet  Crop: Oats, silage-soft dough  Plant date: 10/26/2022

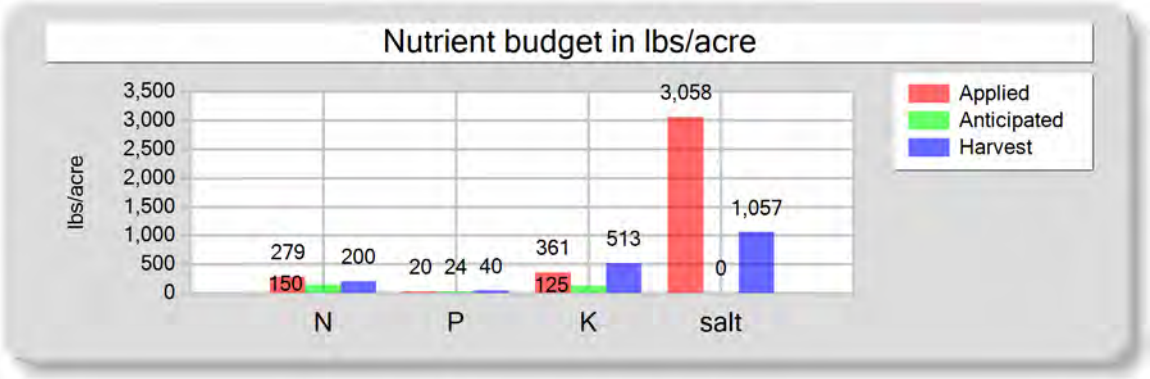


| | Total N (lbs/acre) | Total P (lbs/acre) | Total K (lbs/acre) | Total salt (lbs/acre) |
|---|---|---|---|---|
| Existing soil nutrient content | 0.00 | 0.00 | 0.00 | 0.00 |
| Plowdown credit | 0.00 | 0.00 | 0.00 | 0.00 |
| Commercial fertilizer / Other | 0.00 | 0.00 | 0.00 | 0.00 |
| Dry manure | 0.00 | 0.00 | 0.00 | 0.00 |
| Process wastewater | 260.95 | 19.83 | 360.60 | 2,911.71 |
| Fresh water | 11.38 | 0.00 | 0.00 | 146.02 |
| Atmospheric deposition | 7.00 | 0.00 | 0.00 | 0.00 |
| Total nutrients applied | 279.33 | 19.83 | 360.60 | 3,057.73 |
| Anticipated crop nutrient removal | 150.00 | 24.00 | 124.50 | 0.00 |
| Actual crop nutrient removal | 199.95 | 40.32 | 513.19 | 1,056.71 |
| Nutrient balance | 79.38 | -20.49 | -152.60 | 2,001.02 |
| Applied to removed ratio | 1.40 | 0.49 | 0.70 | 2.89 |

| Fresh water applied | |
|---|---|
| 9,540,000.00 | *gallons* |
| 351.33 | *acre-inches* |
| 10.65 | *inches/acre* |

| Process wastewater applied | |
|---|---|
| 1,512,000.00 | *gallons* |
| 55.68 | *acre-inches* |
| 1.69 | *inches/acre* |

| Total harvests for the crop | |
|---|---|
| 1 | *harvests* |

Taylor/Moffet - 06/03/2023: Corn, silage

Field name: Taylor/Moffet  Crop: Corn, silage  Plant date: 06/03/2023

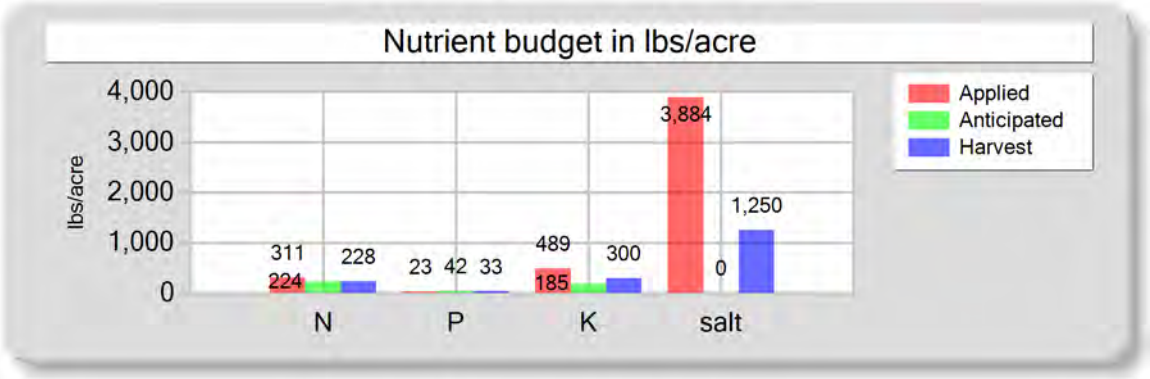


| | Total N (lbs/acre) | Total P (lbs/acre) | Total K (lbs/acre) | Total salt (lbs/acre) |
|---|---|---|---|---|
| Existing soil nutrient content | 0.00 | 0.00 | 0.00 | 0.00 |
| Plowdown credit | 0.00 | 0.00 | 0.00 | 0.00 |
| Commercial fertilizer / Other | 15.00 | 6.60 | 12.50 | 0.00 |
| Dry manure | 0.00 | 0.00 | 0.00 | 0.00 |
| Process wastewater | 289.25 | 16.02 | 476.14 | 3,675.23 |
| Fresh water | 0.00 | 0.00 | 0.00 | 208.31 |
| Atmospheric deposition | 7.00 | 0.00 | 0.00 | 0.00 |
| Total nutrients applied | 311.25 | 22.62 | 488.64 | 3,883.54 |
| Anticipated crop nutrient removal | 224.00 | 42.00 | 184.80 | 0.00 |
| Actual crop nutrient removal | 227.86 | 33.35 | 300.11 | 1,250.45 |
| Nutrient balance | 83.39 | -10.72 | 188.53 | 2,633.09 |
| Applied to removed ratio | 1.37 | 0.68 | 1.63 | 3.11 |

| Fresh water applied | |
|---|---|
| 30,510,000.00 | *gallons* |
| 1,123.58 | *acre-inches* |
| 34.05 | *inches/acre* |

| Process wastewater applied | |
|---|---|
| 1,674,000.00 | *gallons* |
| 61.65 | *acre-inches* |
| 1.87 | *inches/acre* |

| Total harvests for the crop | |
|---|---|
| 1 | *harvests* |

## The 10 - 10/26/2022: Oats, silage-soft dough

Field name: The 10 Crop: Oats, silage-soft dough Plant date: 10/26/2022

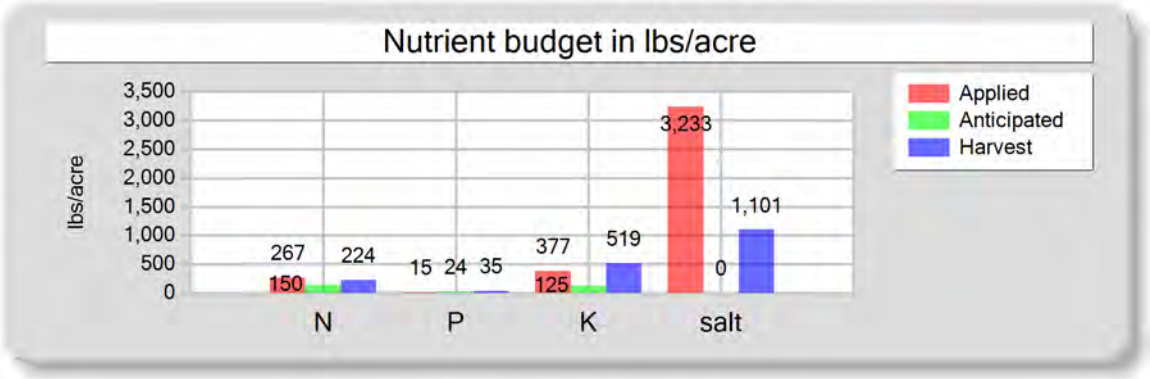


| | Total N (lbs/acre) | Total P (lbs/acre) | Total K (lbs/acre) | Total salt (lbs/acre) |
|---|---|---|---|---|
| Existing soil nutrient content | 0.00 | 0.00 | 0.00 | 0.00 |
| Plowdown credit | 0.00 | 0.00 | 0.00 | 0.00 |
| Commercial fertilizer / Other | 0.00 | 0.00 | 0.00 | 0.00 |
| Dry manure | 0.00 | 0.00 | 0.00 | 0.00 |
| Process wastewater | 259.56 | 14.50 | 377.13 | 3,192.46 |
| Fresh water | 0.00 | 0.00 | 0.00 | 40.56 |
| Atmospheric deposition | 7.00 | 0.00 | 0.00 | 0.00 |
| Total nutrients applied | 266.56 | 14.50 | 377.13 | 3,233.02 |
| Anticipated crop nutrient removal | 150.00 | 24.00 | 124.50 | 0.00 |
| Actual crop nutrient removal | 224.00 | 35.20 | 519.11 | 1,100.52 |
| Nutrient balance | 42.56 | -20.70 | -141.98 | 2,132.50 |
| Applied to removed ratio | 1.19 | 0.41 | 0.73 | 2.94 |

| Fresh water applied | |
|---|---|
| 3,240,000.00 | *gallons* |
| 119.32 | *acre-inches* |
| 13.26 | *inches/acre* |

| Process wastewater applied | |
|---|---|
| 432,000.00 | *gallons* |
| 15.91 | *acre-inches* |
| 1.77 | *inches/acre* |

| Total harvests for the crop | |
|---|---|
| 1 | *harvests* |

## The 10 - 06/04/2023: Corn, silage

Field name: The 10 Crop: Corn, silage Plant date: 06/04/2023

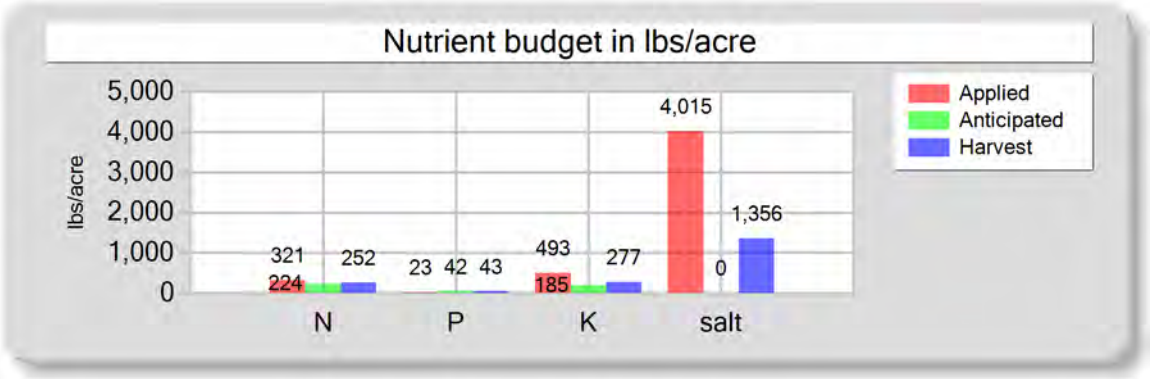


| | Total N (lbs/acre) | Total P (lbs/acre) | Total K (lbs/acre) | Total salt (lbs/acre) |
|---|---|---|---|---|
| Existing soil nutrient content | 0.00 | 0.00 | 0.00 | 0.00 |
| Plowdown credit | 0.00 | 0.00 | 0.00 | 0.00 |
| Commercial fertilizer / Other | 15.00 | 6.60 | 12.50 | 0.00 |
| Dry manure | 0.00 | 0.00 | 0.00 | 0.00 |
| Process wastewater | 299.29 | 16.04 | 480.14 | 3,812.66 |
| Fresh water | 0.00 | 0.00 | 0.00 | 202.78 |
| Atmospheric deposition | 7.00 | 0.00 | 0.00 | 0.00 |
| Total nutrients applied | 321.29 | 22.64 | 492.64 | 4,015.45 |
| Anticipated crop nutrient removal | 224.00 | 42.00 | 184.80 | 0.00 |
| Actual crop nutrient removal | 251.81 | 42.56 | 276.64 | 1,356.36 |
| Nutrient balance | 69.47 | -19.92 | 216.00 | 2,659.08 |
| Applied to removed ratio | 1.28 | 0.53 | 1.78 | 2.96 |

| Fresh water applied | |
|---|---|
| 8,100,000.00 | *gallons* |
| 298.30 | *acre-inches* |
| 33.14 | *inches/acre* |

| Process wastewater applied | |
|---|---|
| 468,000.00 | *gallons* |
| 17.23 | *acre-inches* |
| 1.91 | *inches/acre* |

| Total harvests for the crop | |
|---|---|
| 1 | *harvests* |

## Washington - 10/28/2022: Oats, silage-soft dough

Field name: Washington | Crop: Oats, silage-soft dough | Plant date: 10/28/2022

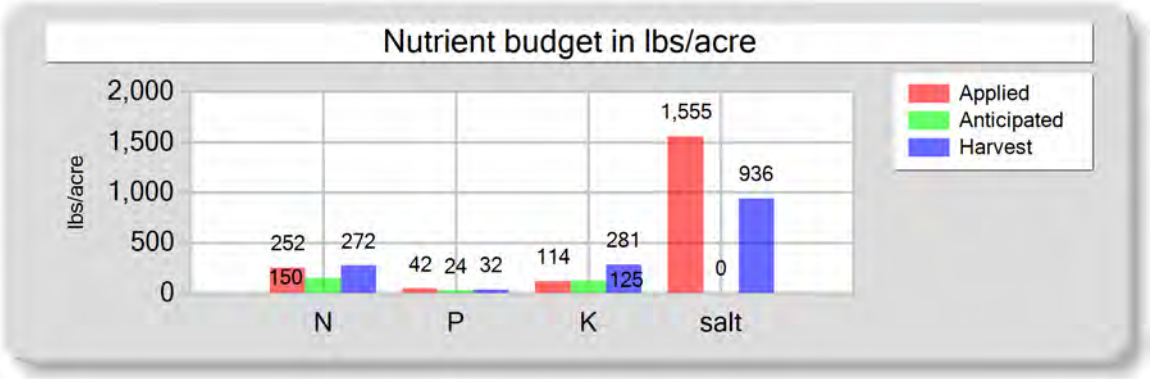


| | Total N (lbs/acre) | Total P (lbs/acre) | Total K (lbs/acre) | Total salt (lbs/acre) |
|---|---|---|---|---|
| Existing soil nutrient content | 0.00 | 0.00 | 0.00 | 0.00 |
| Plowdown credit | 0.00 | 0.00 | 0.00 | 0.00 |
| Commercial fertilizer / Other | 0.00 | 0.00 | 0.00 | 0.00 |
| Dry manure | 244.64 | 42.21 | 114.08 | 1,521.07 |
| Process wastewater | 0.00 | 0.00 | 0.00 | 0.00 |
| Fresh water | 0.00 | 0.00 | 0.00 | 34.17 |
| Atmospheric deposition | 7.00 | 0.00 | 0.00 | 0.00 |
| Total nutrients applied | 251.64 | 42.21 | 114.08 | 1,555.24 |
| Anticipated crop nutrient removal | 150.00 | 24.00 | 124.50 | 0.00 |
| Actual crop nutrient removal | 271.90 | 32.23 | 280.99 | 935.84 |
| Nutrient balance | -20.26 | 9.98 | -166.91 | 619.40 |
| Applied to removed ratio | 0.93 | 1.31 | 0.41 | 1.66 |

| Fresh water applied | |
|---|---|
| 5,872,500.00 | *gallons* |
| 216.26 | *acre-inches* |
| 12.01 | *inches/acre* |

| Process wastewater applied | |
|---|---|
| 0.00 | *gallons* |
| 0.00 | *acre-inches* |
| 0.00 | *inches/acre* |

| Total harvests for the crop | |
|---|---|
| 1 | *harvests* |

## Washington - 06/05/2023: Corn, silage

Field name: Washington | Crop: Corn, silage | Plant date: 06/05/2023

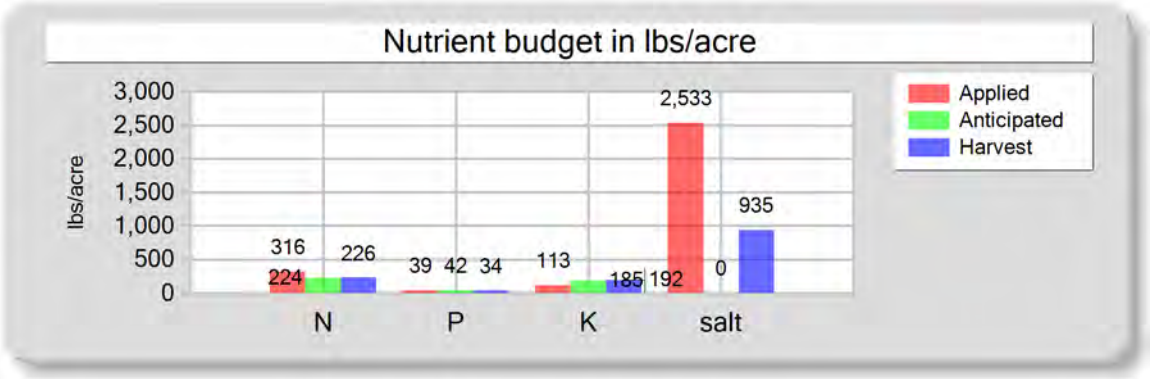


| | Total N (lbs/acre) | Total P (lbs/acre) | Total K (lbs/acre) | Total salt (lbs/acre) |
|---|---|---|---|---|
| Existing soil nutrient content | 0.00 | 0.00 | 0.00 | 0.00 |
| Plowdown credit | 0.00 | 0.00 | 0.00 | 0.00 |
| Commercial fertilizer / Other | 63.00 | 6.60 | 12.50 | 0.00 |
| Dry manure | 246.28 | 31.95 | 100.75 | 2,281.94 |
| Process wastewater | 0.00 | 0.00 | 0.00 | 0.00 |
| Fresh water | 0.00 | 0.00 | 0.00 | 251.41 |
| Atmospheric deposition | 7.00 | 0.00 | 0.00 | 0.00 |
| Total nutrients applied | 316.28 | 38.55 | 113.25 | 2,533.36 |
| Anticipated crop nutrient removal | 224.00 | 42.00 | 184.80 | 0.00 |
| Actual crop nutrient removal | 225.60 | 34.08 | 191.52 | 935.14 |
| Nutrient balance | 90.68 | 4.47 | -78.27 | 1,598.22 |
| Applied to removed ratio | 1.40 | 1.13 | 0.59 | 2.71 |

| Fresh water applied | |
|---|---|
| 20,857,500.00 | *gallons* |
| 768.11 | *acre-inches* |
| 42.67 | *inches/acre* |

| Process wastewater applied | |
|---|---|
| 0.00 | *gallons* |
| 0.00 | *acre-inches* |
| 0.00 | *inches/acre* |

| Total harvests for the crop | |
|---|---|
| 1 | *harvests* |

NUTRIENT ANALYSES

## A. MANURE ANALYSES

### Separator Solids

Sample and source description: Separator Solids

Sample date: 10/28/2022 Material type: Separator solids Source of analysis: Lab analysis Method of reporting: Dry-weight

Moisture: 75.2 %

| | Total N (mg/kg) | Total P (mg/kg) | Total K (mg/kg) | Calcium (mg/kg) | Magnesium (mg/kg) | Sodium (mg/kg) | Sulfur (mg/kg) | Chloride (mg/kg) | Total salt (mg/kg) | TFS (%) |
|---|---|---|---|---|---|---|---|---|---|---|
| **Value** | 19,300.00 | 3,330.00 | 9,000.00 | 0.00 | 0.00 | 0.00 | 0.00 | 0.00 | | 12.00 |
| **DL** | 100.00 | 100.00 | 100.00 | 100.00 | 100.00 | 100.00 | 100.00 | 50.00 | | 0.01 |

### Corral Solids

Sample and source description: Corral Solids

Sample date: 04/28/2023 Material type: Corral solids Source of analysis: Lab analysis Method of reporting: Dry-weight

Moisture: 23.6 %

| | Total N (mg/kg) | Total P (mg/kg) | Total K (mg/kg) | Calcium (mg/kg) | Magnesium (mg/kg) | Sodium (mg/kg) | Sulfur (mg/kg) | Chloride (mg/kg) | Total salt (mg/kg) | TFS (%) |
|---|---|---|---|---|---|---|---|---|---|---|
| **Value** | 26,100.00 | 6,320.00 | 21,300.00 | 0.00 | 0.00 | 0.00 | 0.00 | 0.00 | | 43.20 |
| **DL** | 100.00 | 100.00 | 100.00 | 100.00 | 100.00 | 100.00 | 100.00 | 50.00 | | 0.01 |

### Separator Solids

Sample and source description: Separator Solids

Sample date: 04/28/2023 Material type: Separator solids Source of analysis: Lab analysis Method of reporting: Dry-weight

Moisture: 75.0 %

| | Total N (mg/kg) | Total P (mg/kg) | Total K (mg/kg) | Calcium (mg/kg) | Magnesium (mg/kg) | Sodium (mg/kg) | Sulfur (mg/kg) | Chloride (mg/kg) | Total salt (mg/kg) | TFS (%) |
|---|---|---|---|---|---|---|---|---|---|---|
| **Value** | 28,600.00 | 3,710.00 | 11,700.00 | 0.00 | 0.00 | 0.00 | 0.00 | 0.00 | | 26.50 |
| **DL** | 100.00 | 100.00 | 100.00 | 100.00 | 100.00 | 100.00 | 100.00 | 50.00 | | 0.01 |

Corral Solids

Sample and source description: Corral Solids

Sample date: 10/13/2023 Material type: Corral solids Source of analysis: Lab analysis Method of reporting: Dry-weight

Moisture: 46.0 %

| | Total N (mg/kg) | Total P (mg/kg) | Total K (mg/kg) | Calcium (mg/kg) | Magnesium (mg/kg) | Sodium (mg/kg) | Sulfur (mg/kg) | Chloride (mg/kg) | Total salt (mg/kg) | TFS (%) |
|---|---|---|---|---|---|---|---|---|---|---|
| **Value** | 20,800.00 | 6,710.00 | 35,700.00 | 0.00 | 0.00 | 0.00 | 0.00 | 0.00 | | 34.60 |
| **DL** | 100.00 | 100.00 | 100.00 | 100.00 | 100.00 | 100.00 | 100.00 | 50.00 | | 0.01 |

Separator Solids

Sample and source description: Separator Solids

Sample date: 10/13/2023 Material type: Separator solids Source of analysis: Lab analysis Method of reporting: Dry-weight

Moisture: 79.2 %

| | Total N (mg/kg) | Total P (mg/kg) | Total K (mg/kg) | Calcium (mg/kg) | Magnesium (mg/kg) | Sodium (mg/kg) | Sulfur (mg/kg) | Chloride (mg/kg) | Total salt (mg/kg) | TFS (%) |
|---|---|---|---|---|---|---|---|---|---|---|
| **Value** | 13,800.00 | 1,470.00 | 4,750.00 | 0.00 | 0.00 | 0.00 | 0.00 | 0.00 | | 5.90 |
| **DL** | 100.00 | 100.00 | 100.00 | 100.00 | 100.00 | 100.00 | 100.00 | 50.00 | | 0.01 |

## B. PROCESS WASTEWATER ANALYSES

WWQ3

Sample and source description: WWQ3

Sample date: 07/27/2022 Material type: Process wastewater Source of analysis: Lab analysis pH: 0.00

| | Kjeldahl-N (mg/L) | NH4-N (mg/L) | NH3-N (mg/L) | Nitrate-N (mg/L) | Total P (mg/L) | Total K (mg/L) | Calcium (mg/L) | Magnes. (mg/L) | Sodium (mg/L) | Bicarb. (mg/L) | Carb. (mg/L) | Sulfate (mg/L) | Chloride (mg/L) | EC (µmhos/cm) | TDS (mg/L) |
|---|---|---|---|---|---|---|---|---|---|---|---|---|---|---|---|
| **Value** | 650.00 | 479.00 | 0.00 | 0.00 | 42.50 | 1,220.00 | 0.00 | 0.00 | 0.00 | 0.00 | 0.00 | 0.00 | 0.00 | 8,240.00 | 8,140 |
| **DL** | 0.50 | 0.50 | 0.50 | 0.50 | 0.50 | 0.50 | 0.50 | 0.50 | 0.50 | 0.50 | 2.00 | 1.00 | 0.10 | 1.00 | 10 |

WWQ4

Sample and source description: WWQ4

Sample date: 10/21/2022 Material type: Process wastewater Source of analysis: Lab analysis pH: 0.00

| | Kjeldahl-N (mg/L) | NH4-N (mg/L) | NH3-N (mg/L) | Nitrate-N (mg/L) | Total P (mg/L) | Total K (mg/L) | Calcium (mg/L) | Magnes. (mg/L) | Sodium (mg/L) | Bicarb. (mg/L) | Carb. (mg/L) | Sulfate (mg/L) | Chloride (mg/L) | EC (µmhos/cm) | TDS (mg/L) |
|---|---|---|---|---|---|---|---|---|---|---|---|---|---|---|---|
| **Value** | 560.00 | 403.00 | 0.00 | 0.00 | 41.90 | 909.00 | 0.00 | 0.00 | 0.00 | 0.00 | 0.00 | 0.00 | 0.00 | 7,680.00 | 6,400 |
| **DL** | 0.50 | 0.50 | 0.50 | 0.50 | 0.50 | 0.50 | 0.50 | 0.50 | 0.50 | 0.50 | 2.00 | 1.00 | 0.10 | 1.00 | 10 |

WWQ1

Sample and source description: WWQ1

Sample date: 02/10/2023 Material type: Process wastewater Source of analysis: Lab analysis pH: 0.00

| | Kjeldahl-N (mg/L) | NH4-N (mg/L) | NH3-N (mg/L) | Nitrate-N (mg/L) | Total P (mg/L) | Total K (mg/L) | Calcium (mg/L) | Magnes. (mg/L) | Sodium (mg/L) | Bicarb. (mg/L) | Carb. (mg/L) | Sulfate (mg/L) | Chloride (mg/L) | EC (µmhos/cm) | TDS (mg/L) |
|---|---|---|---|---|---|---|---|---|---|---|---|---|---|---|---|
| **Value** | 851.00 | 426.00 | 0.00 | 0.00 | 117.00 | 958.00 | 0.00 | 0.00 | 0.00 | 0.00 | 0.00 | 0.00 | 0.00 | 7,040.00 | 6,500 |
| **DL** | 0.50 | 0.50 | 0.50 | 0.50 | 0.50 | 0.50 | 0.50 | 0.50 | 0.50 | 0.50 | 2.00 | 1.00 | 0.10 | 1.00 | 10 |

WWQ2

Sample and source description: WWQ2

Sample date: 06/02/2023 Material type: Process wastewater Source of analysis: Lab analysis pH: 0.00

| | Kjeldahl-N (mg/L) | NH4-N (mg/L) | NH3-N (mg/L) | Nitrate-N (mg/L) | Total P (mg/L) | Total K (mg/L) | Calcium (mg/L) | Magnes. (mg/L) | Sodium (mg/L) | Bicarb. (mg/L) | Carb. (mg/L) | Sulfate (mg/L) | Chloride (mg/L) | EC (µmhos/cm) | TDS (mg/L) |
|---|---|---|---|---|---|---|---|---|---|---|---|---|---|---|---|
| **Value** | 736.00 | 465.00 | 0.00 | 0.00 | 30.50 | 974.00 | 200.00 | 120.00 | 302.00 | 4,220.00 | 0.00 | 318.00 | 392.00 | 8,310.00 | 9,540 |
| **DL** | 0.50 | 0.50 | 0.50 | 0.50 | 0.50 | 0.50 | 0.50 | 0.50 | 0.50 | 0.50 | 2.00 | 1.00 | 0.10 | 1.00 | 10 |

WWQ4

Sample and source description: WWQ4

Sample date: 10/31/2023 Material type: Process wastewater Source of analysis: Lab analysis pH: 0.00

| | Kjeldahl-N (mg/L) | NH4-N (mg/L) | NH3-N (mg/L) | Nitrate-N (mg/L) | Total P (mg/L) | Total K (mg/L) | Calcium (mg/L) | Magnes. (mg/L) | Sodium (mg/L) | Bicarb. (mg/L) | Carb. (mg/L) | Sulfate (mg/L) | Chloride (mg/L) | EC (µmhos/cm) | TDS (mg/L) |
|---|---|---|---|---|---|---|---|---|---|---|---|---|---|---|---|
| **Value** | 661.00 | 445.00 | 0.00 | 0.00 | 44.30 | 896.00 | 0.00 | 0.00 | 0.00 | 0.00 | 0.00 | 0.00 | 0.00 | 6,800.00 | 5,480 |
| **DL** | 0.50 | 0.50 | 0.50 | 0.50 | 0.50 | 0.50 | 0.50 | 0.50 | 0.50 | 0.50 | 2.00 | 1.00 | 0.10 | 1.00 | 10 |

## C. FRESH WATER ANALYSES

IW

Irrigation Well

Sample description: Irrigation Well

Sample date: 12/21/2023 Source of analysis: Lab analysis

| | Total N (mg/L) | NH4-N (mg/L) | Nitrate-N (mg/L) | Calcium (mg/L) | Magnesium (mg/L) | Sodium (mg/L) | Bicarbonate (mg/L) | Carbonate (mg/L) | Sulfate (mg/L) | Chloride (mg/L) | EC (µmhos/cm) | TDS (mg/L) |
|---|---|---|---|---|---|---|---|---|---|---|---|---|
| **Value** | 125.00 | 0.00 | 0.00 | 0.00 | 0.00 | 0.00 | 0.00 | 0.00 | 0.00 | 0.00 | 2,190.00 | 1,280 |
| **DL** | 0.50 | 0.50 | 0.50 | 0.50 | 0.50 | 0.50 | 0.50 | 2.00 | 1.00 | 0.10 | 1.00 | 10 |

TID Lateral 3

TID Lateral 3

Sample description: TID Lateral 3

Sample date: 07/22/2022 Source of analysis: Lab analysis

| | Total N (mg/L) | NH4-N (mg/L) | Nitrate-N (mg/L) | Calcium (mg/L) | Magnesium (mg/L) | Sodium (mg/L) | Bicarbonate (mg/L) | Carbonate (mg/L) | Sulfate (mg/L) | Chloride (mg/L) | EC (µmhos/cm) | TDS (mg/L) |
|---|---|---|---|---|---|---|---|---|---|---|---|---|
| **Value** | 0.00 | 0.00 | 0.00 | 0.00 | 0.00 | 0.00 | 0.00 | 0.00 | 0.00 | 0.00 | 0.00 | 0 |
| **DL** | 0.50 | 0.50 | 0.50 | 0.50 | 0.50 | 0.50 | 0.50 | 2.00 | 1.00 | 0.10 | 1.00 | 10 |

TID Lateral 3

Sample description: TID Lateral 3

Sample date: 07/25/2023 Source of analysis: Lab analysis

| | Total N (mg/L) | NH4-N (mg/L) | Nitrate-N (mg/L) | Calcium (mg/L) | Magnesium (mg/L) | Sodium (mg/L) | Bicarbonate (mg/L) | Carbonate (mg/L) | Sulfate (mg/L) | Chloride (mg/L) | EC (µmhos/cm) | TDS (mg/L) |
|---|---|---|---|---|---|---|---|---|---|---|---|---|
| **Value** | 0.00 | 0.00 | 0.00 | 0.00 | 0.00 | 0.00 | 0.00 | 0.00 | 0.00 | 0.00 | 35.90 | 27 |
| **DL** | 0.50 | 0.50 | 0.50 | 0.50 | 0.50 | 0.50 | 0.50 | 2.00 | 1.00 | 0.10 | 10.00 | 10 |

TID Lateral 4

TID Lateral 4

TID Lateral 4

Sample description: TID Lateral 4

Sample date: 07/22/2022 Source of analysis: Lab analysis

| | Total N (mg/L) | NH4-N (mg/L) | Nitrate-N (mg/L) | Calcium (mg/L) | Magnesium (mg/L) | Sodium (mg/L) | Bicarbonate (mg/L) | Carbonate (mg/L) | Sulfate (mg/L) | Chloride (mg/L) | EC (µmhos/cm) | TDS (mg/L) |
|---|---|---|---|---|---|---|---|---|---|---|---|---|
| **Value** | 0.00 | 0.00 | 0.00 | 0.00 | 0.00 | 0.00 | 0.00 | 0.00 | 0.00 | 0.00 | 0.00 | 0 |
| **DL** | 0.50 | 0.50 | 0.50 | 0.50 | 0.50 | 0.50 | 0.50 | 2.00 | 1.00 | 0.10 | 1.00 | 10 |

TID Lateral 4

Sample description: TID Lateral 4

Sample date: 07/25/2023 Source of analysis: Lab analysis

| | Total N (mg/L) | NH4-N (mg/L) | Nitrate-N (mg/L) | Calcium (mg/L) | Magnesium (mg/L) | Sodium (mg/L) | Bicarbonate (mg/L) | Carbonate (mg/L) | Sulfate (mg/L) | Chloride (mg/L) | EC (µmhos/cm) | TDS (mg/L) |
|---|---|---|---|---|---|---|---|---|---|---|---|---|
| **Value** | 0.00 | 0.00 | 0.00 | 0.00 | 0.00 | 0.00 | 0.00 | 0.00 | 0.00 | 0.00 | 31.10 | 26 |
| **DL** | 0.50 | 0.50 | 0.50 | 0.50 | 0.50 | 0.50 | 0.50 | 2.00 | 1.00 | 0.10 | 10.00 | 10 |

## D. SOIL ANALYSES

2301

Soils

Sample and source description: Soils

Sample date: 10/06/2023 Source of analysis: Lab analysis

| | Nitrate-N (mg/kg) | Total P (mg/kg) | Soluble P (mg/kg) | K (mg/kg) | EC (µmhos/cm) | Organic matter (%) | Total salt (mg/kg) |
|---|---|---|---|---|---|---|---|
| **Value** | | | 92.00 | | | | |
| **DL** | | | 4.00 | | | | |

Almonds

## Almonds

### Soils

Sample and source description: Soils

Sample date: 09/29/2023 Source of analysis: Lab analysis

| | Nitrate-N (mg/kg) | Total P (mg/kg) | Soluble P (mg/kg) | K (mg/kg) | EC (µmhos/cm) | Organic matter (%) | Total salt (mg/kg) |
|---|---|---|---|---|---|---|---|
| **Value** | | | 23.00 | | | | |
| **DL** | | | 4.00 | | | | |

## Cooks

### Soils

Sample and source description: Soils

Sample date: 09/29/2023 Source of analysis: Lab analysis

| | Nitrate-N (mg/kg) | Total P (mg/kg) | Soluble P (mg/kg) | K (mg/kg) | EC (µmhos/cm) | Organic matter (%) | Total salt (mg/kg) |
|---|---|---|---|---|---|---|---|
| **Value** | | | 57.00 | | | | |
| **DL** | | | 4.00 | | | | |

## D. Melo

### Soils

Sample and source description: Soils

Sample date: 09/29/2023 Source of analysis: Lab analysis

| | Nitrate-N (mg/kg) | Total P (mg/kg) | Soluble P (mg/kg) | K (mg/kg) | EC (µmhos/cm) | Organic matter (%) | Total salt (mg/kg) |
|---|---|---|---|---|---|---|---|
| **Value** | | | 112.00 | | | | |
| **DL** | | | 4.00 | | | | |

## House

## House

### Soils

Sample and source description: Soils

Sample date: 09/29/2023 Source of analysis: Lab analysis

| | Nitrate-N (mg/kg) | Total P (mg/kg) | Soluble P (mg/kg) | K (mg/kg) | EC (µmhos/cm) | Organic matter (%) | Total salt (mg/kg) |
|---|---|---|---|---|---|---|---|
| **Value** | | | 92.00 | | | | |
| **DL** | | | 4.00 | | | | |

## J. Melo 1

### Soils

Sample and source description: Soils

Sample date: 09/29/2023 Source of analysis: Lab analysis

| | Nitrate-N (mg/kg) | Total P (mg/kg) | Soluble P (mg/kg) | K (mg/kg) | EC (µmhos/cm) | Organic matter (%) | Total salt (mg/kg) |
|---|---|---|---|---|---|---|---|
| **Value** | | | 30.00 | | | | |
| **DL** | | | 4.00 | | | | |

## J. Melo 2

### Soils

Sample and source description: Soils

Sample date: 09/29/2023 Source of analysis: Lab analysis

| | Nitrate-N (mg/kg) | Total P (mg/kg) | Soluble P (mg/kg) | K (mg/kg) | EC (µmhos/cm) | Organic matter (%) | Total salt (mg/kg) |
|---|---|---|---|---|---|---|---|
| **Value** | | | 112.00 | | | | |
| **DL** | | | 4.00 | | | | |

## Lagoon

## Lagoon

### Soils

Sample and source description: Soils

Sample date: 09/29/2023 Source of analysis: Lab analysis

| | Nitrate-N (mg/kg) | Total P (mg/kg) | Soluble P (mg/kg) | K (mg/kg) | EC (µmhos/cm) | Organic matter (%) | Total salt (mg/kg) |
|---|---|---|---|---|---|---|---|
| **Value** | | | 45.00 | | | | |
| **DL** | | | 4.00 | | | | |

## Mendosa

### Soils

Sample and source description: Soils

Sample date: 09/29/2023 Source of analysis: Lab analysis

| | Nitrate-N (mg/kg) | Total P (mg/kg) | Soluble P (mg/kg) | K (mg/kg) | EC (µmhos/cm) | Organic matter (%) | Total salt (mg/kg) |
|---|---|---|---|---|---|---|---|
| **Value** | | | 39.00 | | | | |
| **DL** | | | 4.00 | | | | |

## Taylor/Moffet

### Soils

Sample and source description: Soils

Sample date: 09/29/2023 Source of analysis: Lab analysis

| | Nitrate-N (mg/kg) | Total P (mg/kg) | Soluble P (mg/kg) | K (mg/kg) | EC (µmhos/cm) | Organic matter (%) | Total salt (mg/kg) |
|---|---|---|---|---|---|---|---|
| **Value** | | | 110.00 | | | | |
| **DL** | | | 4.00 | | | | |

## The 10

The 10

Soils

Sample and source description: Soils

Sample date: 09/29/2023 Source of analysis: Lab analysis

| | Nitrate-N (mg/kg) | Total P (mg/kg) | Soluble P (mg/kg) | K (mg/kg) | EC (µmhos/cm) | Organic matter (%) | Total salt (mg/kg) |
|---|---|---|---|---|---|---|---|
| **Value** | | | 46.00 | | | | |
| **DL** | | | 4.00 | | | | |

Washington

Soils

Sample and source description: Soils

Sample date: 10/05/2023 Source of analysis: Lab analysis

| | Nitrate-N (mg/kg) | Total P (mg/kg) | Soluble P (mg/kg) | K (mg/kg) | EC (µmhos/cm) | Organic matter (%) | Total salt (mg/kg) |
|---|---|---|---|---|---|---|---|
| **Value** | | | 55.00 | | | | |
| **DL** | | | 4.00 | | | | |

## E. PLANT TISSUE ANALYSES

2301 - 10/26/2022: Oats, silage-soft dough

Forage

Sample and source description: Forage

Sample date: 04/22/2021 Source of analysis: Lab analysis Method of reporting: As-is

Moisture: 65.8 %

| | Total N (mg/kg) | Total P (mg/kg) | Total K (mg/kg) | Total salt (mg/kg) | TFS (%) |
|---|---|---|---|---|---|
| **Value** | 7,150.00 | 890.00 | 10,600.00 | | 10.70 |
| **DL** | 100.00 | 100.00 | 100.00 | | 0.01 |

2301 - 06/03/2023: Corn, silage

## 2301 - 06/03/2023: Corn, silage

### Corn Silage

Sample and source description: Corn Silage

Sample date: 11/01/2023 Source of analysis: Lab analysis Method of reporting: As-is

Moisture: 66.0 %

| | Total N (mg/kg) | Total P (mg/kg) | Total K (mg/kg) | Total salt (mg/kg) | TFS (%) |
|---|---|---|---|---|---|
| **Value** | 4,520.00 | 650.00 | 4,740.00 | | 5.90 |
| **DL** | 100.00 | 100.00 | 100.00 | | 0.01 |

## Almonds - 01/01/1997: Almond, in shell

### Almonds

Sample and source description: Almonds

Sample date: 09/29/2023 Source of analysis: Lab analysis Method of reporting: As-is

Moisture: 12.0 %

| | Total N (mg/kg) | Total P (mg/kg) | Total K (mg/kg) | Total salt (mg/kg) | TFS (%) |
|---|---|---|---|---|---|
| **Value** | 11,000.00 | 1,190.00 | 14,600.00 | | 5.70 |
| **DL** | 100.00 | 100.00 | 100.00 | | 0.01 |

## Cooks - 10/26/2022: Oats, silage-soft dough

### Forage

Sample and source description: Forage

Sample date: 04/22/2021 Source of analysis: Lab analysis Method of reporting: As-is

Moisture: 75.2 %

| | Total N (mg/kg) | Total P (mg/kg) | Total K (mg/kg) | Total salt (mg/kg) | TFS (%) |
|---|---|---|---|---|---|
| **Value** | 4,890.00 | 820.00 | 13,600.00 | | 11.10 |
| **DL** | 100.00 | 100.00 | 100.00 | | 0.01 |

## Cooks - 06/04/2023: Corn, silage

### Corn Silage

Sample and source description: Corn Silage

Sample date: 11/01/2023 Source of analysis: Lab analysis Method of reporting: As-is

Moisture: 64.4 %

| | Total N (mg/kg) | Total P (mg/kg) | Total K (mg/kg) | Total salt (mg/kg) | TFS (%) |
|---|---|---|---|---|---|
| **Value** | 5,020.00 | 790.00 | 3,390.00 | | 5.60 |
| **DL** | 100.00 | 100.00 | 100.00 | | 0.01 |

## D. Melo - 10/25/2022: Oats, silage-soft dough

### Forage

Sample and source description: Forage

Sample date: 04/22/2021 Source of analysis: Lab analysis Method of reporting: As-is

Moisture: 70.6 %

| | Total N (mg/kg) | Total P (mg/kg) | Total K (mg/kg) | Total salt (mg/kg) | TFS (%) |
|---|---|---|---|---|---|
| **Value** | 5,930.00 | 1,090.00 | 17,100.00 | | 11.10 |
| **DL** | 100.00 | 100.00 | 100.00 | | 0.01 |

## D. Melo - 06/02/2023: Corn, silage

### Corn Silage

Sample and source description: Corn Silage

Sample date: 11/01/2023 Source of analysis: Lab analysis Method of reporting: As-is

Moisture: 65.8 %

| | Total N (mg/kg) | Total P (mg/kg) | Total K (mg/kg) | Total salt (mg/kg) | TFS (%) |
|---|---|---|---|---|---|
| **Value** | 4,340.00 | 750.00 | 6,490.00 | | 7.80 |
| **DL** | 100.00 | 100.00 | 100.00 | | 0.01 |

## House - 10/25/2022: Oats, silage-soft dough

### Forage

Sample and source description: Forage

Sample date: 04/22/2021 Source of analysis: Lab analysis Method of reporting: As-is

Moisture: 71.0 %

| | Total N (mg/kg) | Total P (mg/kg) | Total K (mg/kg) | Total salt (mg/kg) | TFS (%) |
|---|---|---|---|---|---|
| **Value** | 6,180.00 | 1,040.00 | 15,700.00 | | 11.60 |
| **DL** | 100.00 | 100.00 | 100.00 | | 0.01 |

## House - 06/02/2023: Corn, silage

### Corn Silage

Sample and source description: Corn Silage

Sample date: 11/01/2023 Source of analysis: Lab analysis Method of reporting: As-is

Moisture: 71.6 %

| | Total N (mg/kg) | Total P (mg/kg) | Total K (mg/kg) | Total salt (mg/kg) | TFS (%) |
|---|---|---|---|---|---|
| **Value** | 4,660.00 | 700.00 | 5,000.00 | | 7.00 |
| **DL** | 100.00 | 100.00 | 100.00 | | 0.01 |

## J. Melo 1 - 01/22/2019: Almond, in shell

### Almonds

Sample and source description: Almonds

Sample date: 09/29/2023 Source of analysis: Lab analysis Method of reporting: As-is

Moisture: 11.8 %

| | Total N (mg/kg) | Total P (mg/kg) | Total K (mg/kg) | Total salt (mg/kg) | TFS (%) |
|---|---|---|---|---|---|
| **Value** | 19,400.00 | 1,990.00 | 14,600.00 | | 7.40 |
| **DL** | 100.00 | 100.00 | 100.00 | | 0.01 |

## J. Melo 2 - 10/25/2022: Oats, silage-soft dough

### Forage

Sample and source description: Forage

Sample date: 04/22/2021 Source of analysis: Lab analysis Method of reporting: As-is

Moisture: 70.6 %

| | Total N (mg/kg) | Total P (mg/kg) | Total K (mg/kg) | Total salt (mg/kg) | TFS (%) |
|---|---|---|---|---|---|
| **Value** | 5,930.00 | 1,090.00 | 17,100.00 | | 11.10 |
| **DL** | 100.00 | 100.00 | 100.00 | | 0.01 |

## J. Melo 2 - 06/02/2023: Corn, silage

### Corn Silage

Sample and source description: Corn Silage

Sample date: 11/01/2023 Source of analysis: Lab analysis Method of reporting: As-is

Moisture: 72.0 %

| | Total N (mg/kg) | Total P (mg/kg) | Total K (mg/kg) | Total salt (mg/kg) | TFS (%) |
|---|---|---|---|---|---|
| **Value** | 3,640.00 | 500.00 | 5,320.00 | | 9.10 |
| **DL** | 100.00 | 100.00 | 100.00 | | 0.01 |

## Lagoon - 10/25/2022: Oats, silage-soft dough

### Forage

Sample and source description: Forage

Sample date: 04/22/2021 Source of analysis: Lab analysis Method of reporting: As-is

Moisture: 73.6 %

| | Total N (mg/kg) | Total P (mg/kg) | Total K (mg/kg) | Total salt (mg/kg) | TFS (%) |
|---|---|---|---|---|---|
| **Value** | 5,150.00 | 870.00 | 12,900.00 | | 11.10 |
| **DL** | 100.00 | 100.00 | 100.00 | | 0.01 |

## Lagoon - 06/02/2023: Corn, silage

### Corn Silage

Sample and source description: Corn Silage

Sample date: 11/01/2023 Source of analysis: Lab analysis Method of reporting: As-is

Moisture: 67.6 %

| | Total N (mg/kg) | Total P (mg/kg) | Total K (mg/kg) | Total salt (mg/kg) | TFS (%) |
|---|---|---|---|---|---|
| **Value** | 4,800.00 | 720.00 | 5,390.00 | | 6.90 |
| **DL** | 100.00 | 100.00 | 100.00 | | 0.01 |

## Mendosa - 01/22/2019: Almond, in shell

### Almonds

Sample and source description: Almonds

Sample date: 09/29/2023 Source of analysis: Lab analysis Method of reporting: As-is

Moisture: 11.8 %

| | Total N (mg/kg) | Total P (mg/kg) | Total K (mg/kg) | Total salt (mg/kg) | TFS (%) |
|---|---|---|---|---|---|
| **Value** | 19,400.00 | 1,990.00 | 14,600.00 | | 7.40 |
| **DL** | 100.00 | 100.00 | 100.00 | | 0.01 |

## Taylor/Moffet - 10/26/2022: Oats, silage-soft dough

### Forage

Sample and source description: Forage

Sample date: 04/22/2021 Source of analysis: Lab analysis Method of reporting: As-is

Moisture: 69.8 %

| | Total N (mg/kg) | Total P (mg/kg) | Total K (mg/kg) | Total salt (mg/kg) | TFS (%) |
|---|---|---|---|---|---|
| **Value** | 6,000.00 | 1,210.00 | 15,400.00 | | 10.50 |
| **DL** | 100.00 | 100.00 | 100.00 | | 0.01 |

## Taylor/Moffet - 06/03/2023: Corn, silage

### Corn Silage

Sample and source description: Corn Silage

Sample date: 11/01/2023 Source of analysis: Lab analysis Method of reporting: As-is

Moisture: 32.2 %

| | Total N (mg/kg) | Total P (mg/kg) | Total K (mg/kg) | Total salt (mg/kg) | TFS (%) |
|---|---|---|---|---|---|
| **Value** | 9,150.00 | 1,420.00 | 12,200.00 | | 7.50 |
| **DL** | 100.00 | 100.00 | 100.00 | | 0.01 |

## The 10 - 10/26/2022: Oats, silage-soft dough

### Forage

Sample and source description: Forage

Sample date: 04/22/2021 Source of analysis: Lab analysis Method of reporting: As-is

Moisture: 70.8 %

| | Total N (mg/kg) | Total P (mg/kg) | Total K (mg/kg) | Total salt (mg/kg) | TFS (%) |
|---|---|---|---|---|---|
| **Value** | 6,300.00 | 990.00 | 14,600.00 | | 10.60 |
| **DL** | 100.00 | 100.00 | 100.00 | | 0.01 |

## The 10 - 06/04/2023: Corn, silage

### Corn Silage

Sample and source description: Corn Silage

Sample date: 11/01/2023 Source of analysis: Lab analysis Method of reporting: As-is

Moisture: 70.2 %

| | Total N (mg/kg) | Total P (mg/kg) | Total K (mg/kg) | Total salt (mg/kg) | TFS (%) |
|---|---|---|---|---|---|
| **Value** | 4,260.00 | 720.00 | 4,680.00 | | 7.70 |
| **DL** | 100.00 | 100.00 | 100.00 | | 0.01 |

Washington - 10/28/2022: Oats, silage-soft dough

Forage

Sample and source description: Forage

Sample date: 04/22/2021 Source of analysis: Lab analysis Method of reporting: As-is

Moisture: 51.4 %

| | Total N (mg/kg) | Total P (mg/kg) | Total K (mg/kg) | Total salt (mg/kg) | TFS (%) |
|---|---|---|---|---|---|
| **Value** | 9,870.00 | 1,170.00 | 10,200.00 | | 6.99 |
| **DL** | 100.00 | 100.00 | 100.00 | | 0.01 |

Washington - 06/05/2023: Corn, silage

Corn Silage

Sample and source description: Corn Silage

Sample date: 11/01/2023 Source of analysis: Lab analysis Method of reporting: As-is

Moisture: 61.8 %

| | Total N (mg/kg) | Total P (mg/kg) | Total K (mg/kg) | Total salt (mg/kg) | TFS (%) |
|---|---|---|---|---|---|
| **Value** | 4,700.00 | 710.00 | 3,990.00 | | 5.10 |
| **DL** | 100.00 | 100.00 | 100.00 | | 0.01 |

## F. SUBSURFACE (TILE) DRAINAGE ANALYSES

*No subsurface (tile) drainage analyses entered.*

NUTRIENT APPLICATIONS, POTENTIAL REMOVAL, AND BALANCE

## A. SUMMARY OF NUTRIENT APPLICATIONS, POTENTIAL REMOVAL, AND BALANCE

| | Total N (lbs) | Total P (lbs) | Total K (lbs) | Total salt (lbs) |
|---|---|---|---|---|
| Existing soil nutrient content | 0.00 | 0.00 | 0.00 | 0.00 |
| Plowdown credit | 0.00 | 0.00 | 0.00 | 0.00 |
| Commercial fertilizer / Other | 9,016.00 | 1,108.80 | 2,100.00 | 0.00 |
| Dry manure | 15,633.18 | 2,507.52 | 7,036.38 | 110,713.40 |
| Process wastewater | 82,936.65 | 5,251.72 | 126,616.06 | 1,001,636.33 |
| Fresh water | 1,408.22 | 0.00 | 0.00 | 84,649.72 |
| Atmospheric deposition | 3,892.00 | 0.00 | 0.00 | 0.00 |
| Total nutrients applied | 112,886.04 | 8,868.03 | 135,752.44 | 1,196,999.45 |
| Anticipated crop nutrient removal | 87,944.00 | 15,351.20 | 79,118.40 | 0.00 |
| Actual crop nutrient removal | 89,937.62 | 13,362.39 | 141,776.81 | 440,790.98 |
| Nutrient balance | 22,948.43 | -4,494.36 | -6,024.37 | 756,208.47 |
| Applied to removed ratio | 1.26 | 0.66 | 0.96 | 2.72 |

## B. POUNDS OF NUTRIENT APPLIED VS. CROP REMOVAL

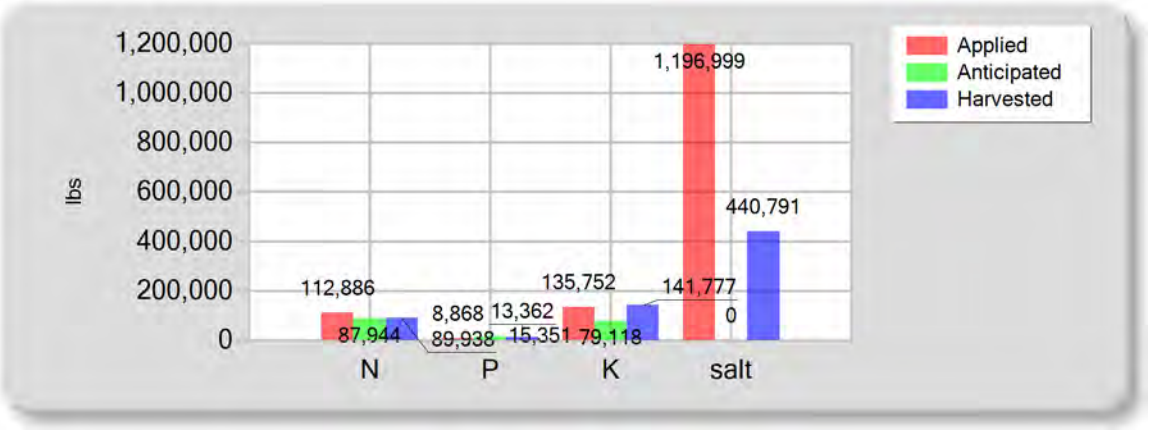

**C. POUNDS OF NUTRIENT APPLIED BY MATERIAL TYPE**

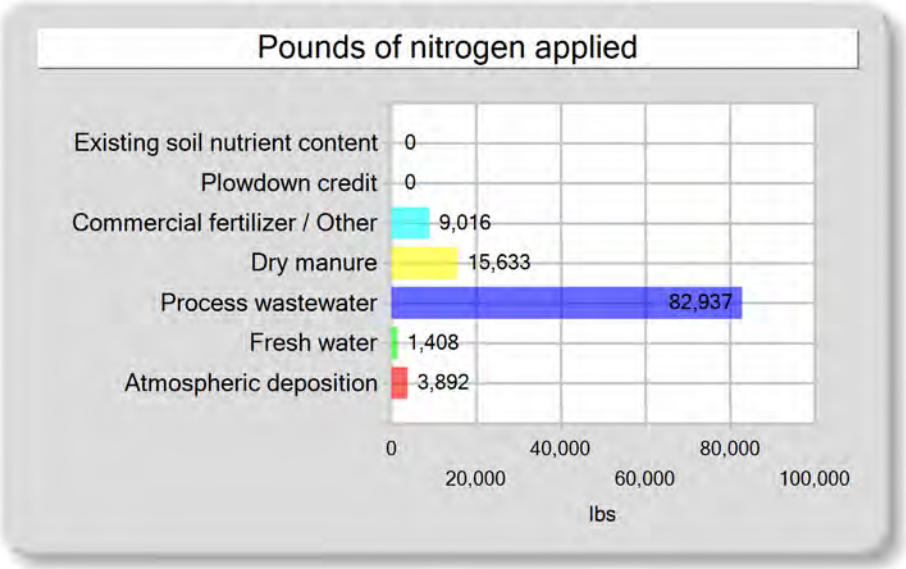


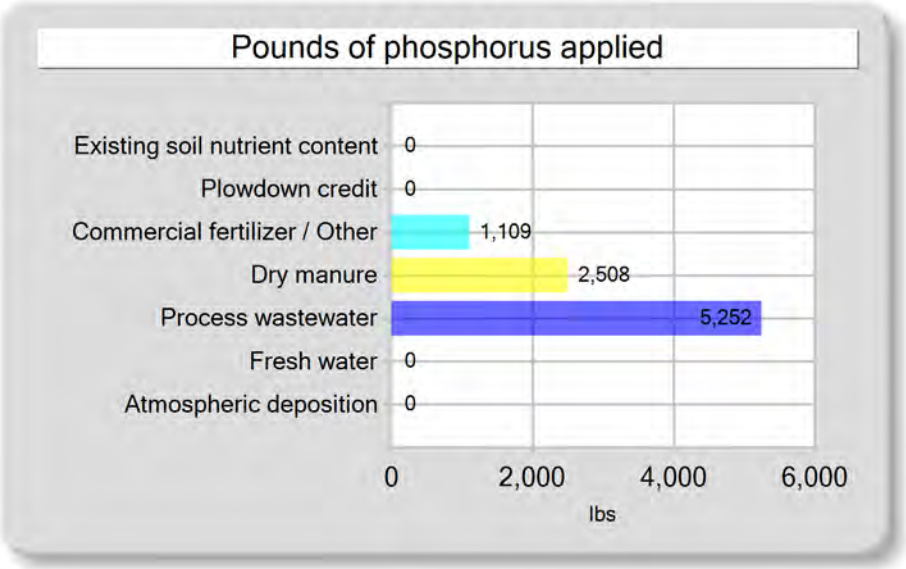


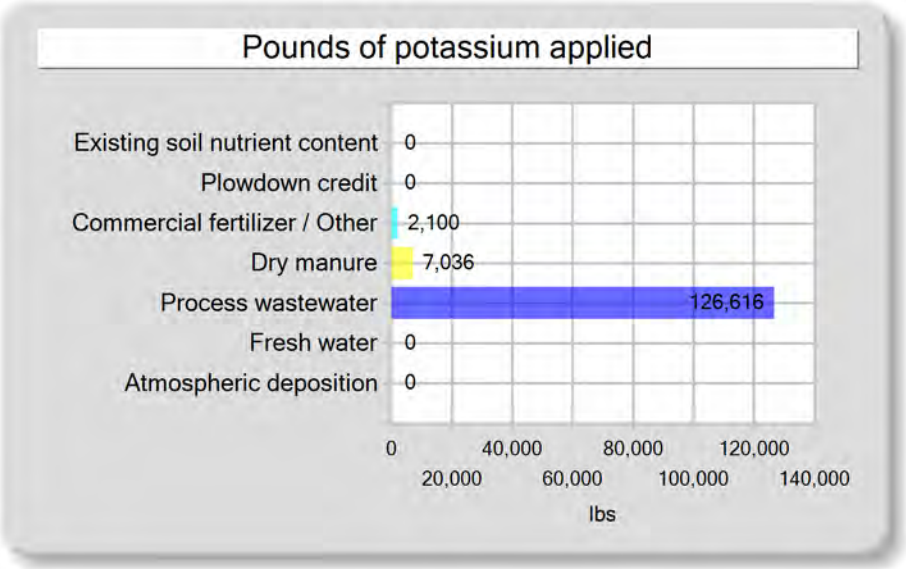


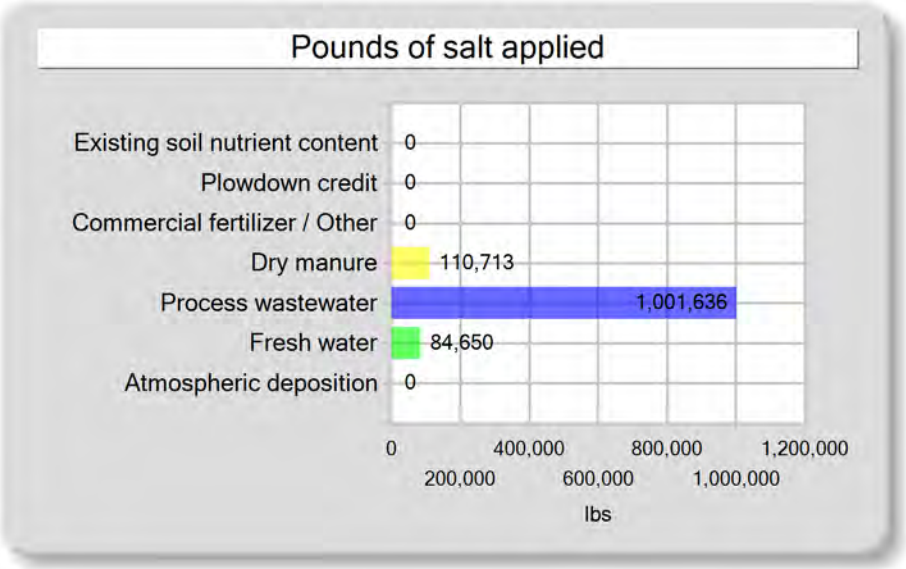

## EXCEPTION REPORTING

### A. MANURE, PROCESS WASTEWATER, AND OTHER DAIRY WASTE DISCHARGES

The following is a summary of all manure and process wastewater discharges from the production area to surface water or to land areas (land application areas or otherwise) when not in accordance with the facility's Nutrient Management Plan.

*No manure or process wastewater discharges occurred during the reporting period.*

### B. STORM WATER DISCHARGES

The following is a summary of all storm water discharges from the production area to surface water during the reporting period when not in accordance with the facility 's Nutrient Management Plan.

*No stormwater discharges occurred during the reporting period.*

### C. LAND APPLICATION AREA TO SURFACE WATER DISCHARGES

The following is a summary of all discharges from the land application area to surface water that have occurred during the reporting period when not in accordance with the facility's Nutrient Management Plan.

*No land application area to surface water discharges occurred during the reporting period.*

## NUTRIENT MANAGEMENT PLAN AND EXPORT AGREEMENT STATEMENTS

### A. NUTRIENT MANAGEMENT PLAN STATEMENTS

| | |
|---|---|
| Was the facility's NMP updated in the reporting period? | No |
| Was the facility's NMP developed by a certified nutrient management planner (specialist) as specified in Attachment C of the General Order? | Yes |
| Was the facility's NMP approved by a certified nutrient management planner (specialist) as specified in Attachment C of the General Order? | Yes |

### B. EXPORT AGREEMENT STATEMENT

| | |
|---|---|
| Are there any written agreements with third parties to receive manure or process wastewater that are new or were revised within the reporting period? | No |

ADDITIONAL NOTES

**A. NOTES**

*No notes entered for this annual report.*

CERTIFICATION

## A. OWNER AND/OR OPERATOR CERTIFICATION

*I certify under penalty of law that I have personally examined and am familiar with the information submitted in this document and all attachments and that, based on my inquiry of those individuals immediately responsible for obtaining the information, I believe that the information is true, accurate, and complete. I am aware that there are significant penalties for submitting false information, including the possibility of fine and imprisonment.*

Debra Ackerman (Apr 17, 2024 16:28 PDT)

| SIGNATURE OF OWNER OF FACILITY | SIGNATURE OF OPERATOR OF FACILITY |
|---|---|
| Debra Ackerman | SAME AS OWNER |
| PRINT OR TYPE NAME | PRINT OR TYPE NAME |
| Apr 17, 2024 | |
| DATE | DATE |

ATTACHMENTS

## A. REQUIRED ATTACHMENTS

The following lists the required documents that should be attached to the Annual Report when submitted .

| Annual Dairy Facility Assessment |
| --- |
| Provide an Annual Dairy Facility Assessment (an update to the Preliminary Dairy Facility Assessment in Attachment A ) for each reporting period. On the PDFA Final page, click on the ADFA Report button to generate an ADFA report after updating information as needed . |

| Manure/Process Wastewater Tracking Manifests |
| --- |
| Provide copies of all manure/process wastewater tracking manifests for the reporting period, signed by both the owner/operator and the hauler. |

| Corrective Actions Documents |
| --- |
| Provide records documenting any corrective actions taken to correct deficiencies noted as a result of the inspections required in the Monitoring Requirements of the General Order. Deficiencies not corrected in 30 days must be accompanied by an explanation of the factors preventing immediate correction. |

| Groundwater Monitoring |
| --- |
| Dischargers that monitor supply wells or subsurface (tile) drainage systems, or that have monitoring well systems must submit monitoring results as directed in the General Order, Groundwater Reporting Section starting on page MRP-13. |

| Storm Water Monitoring |
| --- |
| Dischargers that are required to monitor storm water more frequently than required in the General Order must submit monitoring results as directed in the General Order, Storm Water Reporting Section on page MRP-14. |

## ATTACHMENT D

## Manure/Process Wastewater Tracking Manifest
## For
## Existing Milk Cow Dairies

Instructions:

1) Complete one manifest for each hauling event, for each destination. A hauling event may last for several days, as long as the manure is being hauled to the same destination.
2) If there are multiple destinations, **complete a separate form for each destination**.
3) The operator must obtain the signature of the hauler upon completion of each manure-hauling event.
4) The operator shall submit copies of manure/process wastewater tracking manifest(s) with the Annual Monitoring Report for Existing Milk Cow Dairies.

**Operator Information:**

Name of Operator: Debra Ackerman

Name of Dairy Facility: Ackerman Dairy, Inc.

Facility Address: 6934 Central Ave. Ceres 95307
Number and Street City Zip Code

Contact Person Name and Phone Number: Debra Ackerman 209-538-9170
Name Phone Number

**Manure/Process Wastewater Hauler Information:**

Name of Hauling Company/Person: J & Fertilizer

Address of Hauling Company /Person: 900 Meredith Ave. Gustine 95322
Number and Street City Zip Code

Contact Person: John Nunes 209-495-1964
Name Phone Number

**Destination Information:**

Composting Facility / Broker / Farmer / Other (identify) _____ (please circle one)

Contact information of Composting Facility, Broker, Farmer, or Other (as identified above):

Name Number and Street City Zip Code Phone Number

Manure/Process Wastewater Destination Address or Assessor's Parcel Number:

Number and Street City Zip Code Assessor's Parcel Number

Dates Hauled: 10-17-23 10-18-23

**Amount Hauled:**

Enter the amount of manure hauled in tons or cubic yards (indicate the units used), the manure solids content (if amount reported in tons) or manure density (if amount reported in cubic yards), and the method used to calculate the amount:

Manure: 320 loads Tons or Cubic Yards (indicate which units used)
Manure Solids Content (if amount reported in tons): _____
Manure Density (if amount reported in cubic yards): _____

Method used to determine amount of manure: Truck Scales
Dry manure

Enter the amount of process wastewater hauled in gallons and the method used to determine the amount.

Process Wastewater: _____ Gallons

Method used to determine volume of process wastewater: _____

**Written Agreement:**
Does the Operator have a written agreement (in compliance with Land Application Specification C.2 of Waste Discharge Requirements General Order No. R5-2007-0035) with any party that receives process wastewater from the Operator for its own use? (please check one)

____ Yes _____ No

If the answer is no, the Operator agrees to have such a written agreement with any such party for any process wastewater transferred after **31 December 2007** to such party.
_____ (Operator shall provide initials here to acknowledge this requirement).

**Certification:**
I declare under the penalty of law that I personally examined and am familiar with the information submitted in this document, and that based on my inquiry of those individuals immediately responsible for obtaining the information, I believe that the information is true, accurate, and complete. I am aware that there are significant penalties for submitting false information, including the possibility of a fine and imprisonment for knowing violations.

Operator's Signature: Debra Ackerman Date: 10-20-23

Hauler's Signature: John Nunes Date: 10-20-23

**Denele Analytical, Inc.**

865 South Kilroy Avenue Turlock, CA 95380
Phone (209) 634-9055 - Fax (209) 634-9057

40 N. East Street, Woodland, CA 95776
Phone (530) 666-9056 - Fax (530) 666-9058

www.denelelabs.com

# Compliance Analysis Report

**Customer**
Ackerman Dairy Inc.
P.O. Box 2909
Ceres, CA 95307

**Grower**

**Consultant:**
F & R Ag Services
2857 Geer Rd. Ste A
Turlock, CA 95382

PURCHASE ORDER:
RECEIVED DATE: 12/21/23 3:40 PM
SUBMITTED BY: Debbie
ANALYZED DATE: 12/27/23

Irrigation/ Ground Water (H1)
SOURCE: Well Water

NOTES: Temperature was above qualifying at 17.6c

| Sample ID | Lab ID | Analyte | Method Ref | Result | Units |
|---|---|---|---|---|---|
| J. Mello | T3355009A | Electrical Conductivity (EC) | EPA 120.1 and | 0.841 | mmhos/cm |
| | | Nitrate Nitrogen (NO3-N) | EPA 353.2 | 7.32 | mg/L |
| | | Ammonia Nitrogen (NH3-N) | SM 4500-NH3 D,C | < 0.500 | mg/L |
| | | Soluble Salts (SALT-SOL) | Calculation | 538 | mg/L |

| Laboratory Quality Control | LCS % | MS % | MSD % | RPD % |
|---|---|---|---|---|
| Ammonia Nitrogen (NH3-N) | 91.8 | 95.8 (T3355006J) | 94.6 (T3355006J) | 1.26 |
| Electrical Conductivity (EC) | 97.2 | | | 1.65 |
| Nitrate Nitrogen (NO3-N) | 103 | | | 7.06 |

The warranty of Denele Analytical is limited to the accuracy of the analyses of the samples as received. Denele Analytical assumes no responsibility for which the customer uses our test results, nor liability for any other warranties, express or implied. These terms and conditions shall supercede any conflicting terms and conditions submitted on customer purchase orders or other forms submitted for work.



ELAP Certificate No.: 2714

**Denele Analytical, Inc.**

865 South Kilroy Avenue Turlock, CA 95380
Phone (209) 634-9055 - Fax (209) 634-9057

40 N. East Street, Woodland, CA 95776
Phone (530) 666-9056 - Fax (530) 666-9058

www.denelelabs.com

# Compliance Analysis Report

**Customer**
Ackerman Dairy Inc.
P.O. Box 2909
Ceres, CA 95307

**Grower**

**Consultant:**
F & R Ag Services
2857 Geer Rd. Ste A
Turlock, CA 95382

PURCHASE ORDER:
RECEIVED DATE: 12/21/23 3:40 PM
SUBMITTED BY: Debbie
ANALYZED DATE: 12/27/23

Irrigation / Ground Water (H7)
SOURCE: Irrigation Water

NOTES: Temperature was above qualifying at 18.0c

| Sample ID | Lab ID | Analyte | Method Ref | Result | Units |
|---|---|---|---|---|---|
| IW | T3355009B | Electrical Conductivity (EC) | EPA 120.1 and | 2.19 | mmhos/cm |
| | | Ammonia Nitrogen (NH3-N) | SM 4500-NH3 D,C | < 0.500 | mg/L |
| | | Nitrate Nitrogen (NO3-N) | EPA 353.2 | 125 | mg/L |
| | | Total Dissolved Solids (TDS) | SM 2540 C-1997 and | 1280 | mg/L |
| | | Total Nitrogen (TN) | SM 4500-NH3 D,C | 125 | mg/L |
| | | Soluble Salts (SALT-SOL) | Calculation | 1400 | mg/L |

| Laboratory Quality Control | LCS % | MS % | MSD % | Sample mg/L | Dup mg/L | RPD % |
|---|---|---|---|---|---|---|
| Ammonia Nitrogen (NH3-N) | 91.8 | 95.8 (T3355006J) | 94.6 (T3355006J) | | | 1.26 |
| Electrical Conductivity (EC) | 97.2 | | | 0.841 (T3355009A) | 0.855 (Dup) | 1.65 |
| Nitrate Nitrogen (NO3-N) | 103 | | | 18.5 (T3355006A) | 19.8 (null) | 7.06 |
| Total Dissolved Solids (TDS) | 104 | | | 560 (T3362017B) | 595 (Dup) | 6.06 |
| Total Nitrogen (TN) | 102 | | | 0.280 (T3353003G) | 0.280 (null) | 0.000 |

The warranty of Denele Analytical is limited to the accuracy of the analyses of the samples as received. Denele Analytical assumes no responsibility for which the customer uses our test results, nor liability for any other warranties, express or implied. These terms and conditions shall supercede any conflicting terms and conditions submitted on customer purchase orders or other forms submitted for work.



ELAP Certificate No.: 2714

**Denele Analytical, Inc.**

865 South Kilroy Avenue Turlock, CA 95380
Phone (209) 634-9055 - Fax (209) 634-9057

40 N. East Street, Woodland, CA 95776
Phone (530) 666-9056 - Fax (530) 666-9058

www.denelelabs.com

# Compliance Analysis Report

**Customer**
Ackerman Dairy Inc.
P.O. Box 2909
Ceres, CA 95307

**Grower**

**Consultant:**
F & R Ag Services
2857 Geer Rd. Ste A
Turlock, CA 95382

PURCHASE ORDER:
RECEIVED DATE: 12/21/23 3:40 PM
SUBMITTED BY: Debbie
ANALYZED DATE: 12/27/23

Irrigation/ Ground Water (H1)
SOURCE: Well Water

NOTES: Temperature was above qualifying at 18.0c

| Sample ID | Lab ID | Analyte | Method Ref | Result | Units |
|---|---|---|---|---|---|
| MH | T3355009C | Electrical Conductivity (EC) | EPA 120.1 and | 2.19 | mmhos/cm |
| | | Nitrate Nitrogen (NO3-N) | EPA 353.2 | 126 | mg/L |
| | | Ammonia Nitrogen (NH3-N) | SM 4500-NH3 D,C | < 0.500 | mg/L |
| | | Soluble Salts (SALT-SOL) | Calculation | 1400 | mg/L |

| Laboratory Quality Control | LCS % | MS % | MSD % | RPD % |
|---|---|---|---|---|
| Ammonia Nitrogen (NH3-N) | 91.8 | 95.8 (T3355006J) | 94.6 (T3355006J) | 1.26 |
| Electrical Conductivity (EC) | 97.2 | | | 1.65 |
| Nitrate Nitrogen (NO3-N) | 103 | | | 7.06 |

The warranty of Denele Analytical is limited to the accuracy of the analyses of the samples as received. Denele Analytical assumes no responsibility for which the customer uses our test results, nor liability for any other warranties, express or implied. These terms and conditions shall supercede any conflicting terms and conditions submitted on customer purchase orders or other forms submitted for work.

**Denele Analytical, Inc.**

865 South Kilroy Avenue Turlock, CA 95380
Phone (209) 634-9055 - Fax (209) 634-9057

40 N. East Street, Woodland, CA 95776
Phone (530) 666-9056 - Fax (530) 666-9058

www.denelelabs.com

# Compliance Analysis Report

**Customer**
Ackerman Dairy Inc.
P.O. Box 2909
Ceres, CA 95307

**Grower**

**Consultant:**
F & R Ag Services
2857 Geer Rd. Ste A
Turlock, CA 95382

PURCHASE ORDER:
RECEIVED DATE: 12/21/23 3:40 PM
SUBMITTED BY: Debbie
ANALYZED DATE: 12/27/23

Irrigation/ Ground Water (H1)
SOURCE: Well Water

NOTES: Temperature was above qualifying at 18.0c

| Sample ID | Lab ID | Analyte | Method Ref | Result | Units |
|---|---|---|---|---|---|
| Oscar | T3355009D | Electrical Conductivity (EC) | EPA 120.1 and | 2.30 | mmhos/cm |
| | | Nitrate Nitrogen (NO3-N) | EPA 353.2 | 123 | mg/L |
| | | Ammonia Nitrogen (NH3-N) | SM 4500-NH3 D,C | < 0.500 | mg/L |
| | | Soluble Salts (SALT-SOL) | Calculation | 1470 | mg/L |

| Laboratory Quality Control | LCS % | MS % | MSD % | RPD % |
|---|---|---|---|---|
| Ammonia Nitrogen (NH3-N) | 91.8 | 95.8 (T3355006J) | 94.6 (T3355006J) | 1.26 |
| Electrical Conductivity (EC) | 97.2 | | | 1.65 |
| Nitrate Nitrogen (NO3-N) | 103 | | | 7.06 |

The warranty of Denele Analytical is limited to the accuracy of the analyses of the samples as received. Denele Analytical assumes no responsibility for which the customer uses our test results, nor liability for any other warranties, express or implied. These terms and conditions shall supercede any conflicting terms and conditions submitted on customer purchase orders or other forms submitted for work.

**Denele Analytical, Inc.**

865 South Kilroy Avenue Turlock, CA 95380
Phone (209) 634-9055 - Fax (209) 634-9057

40 N. East Street, Woodland, CA 95776
Phone (530) 666-9056 - Fax (530) 666-9058

www.denelelabs.com

# Compliance Analysis Report

**Customer**
Ackerman Dairy Inc.
P.O. Box 2909
Ceres, CA 95307

**Grower**

**Consultant:**
F & R Ag Services
2857 Geer Rd. Ste A
Turlock, CA 95382

PURCHASE ORDER:
RECEIVED DATE: 12/21/23 3:40 PM
SUBMITTED BY: Debbie
ANALYZED DATE: 12/27/23

Irrigation/ Ground Water (H1)
SOURCE: Well Water

NOTES: Temperature was above qualifying at 17.8c

| Sample ID | Lab ID | Analyte | Method Ref | Result | Units |
|---|---|---|---|---|---|
| MH | T3355009E | Electrical Conductivity (EC) | EPA 120.1 and | 0.893 | mmhos/cm |
| | | Nitrate Nitrogen (NO3-N) | EPA 353.2 | 28.8 | mg/L |
| | | Ammonia Nitrogen (NH3-N) | SM 4500-NH3 D,C | < 0.500 | mg/L |
| | | Soluble Salts (SALT-SOL) | Calculation | 572 | mg/L |

| Laboratory Quality Control | LCS % | MS % | MSD % | RPD % |
|---|---|---|---|---|
| Ammonia Nitrogen (NH3-N) | 91.8 | 95.8 (T3355006J) | 94.6 (T3355006J) | 1.26 |
| Electrical Conductivity (EC) | 97.2 | | | 1.65 |
| Nitrate Nitrogen (NO3-N) | 103 | | | 7.06 |

The warranty of Denele Analytical is limited to the accuracy of the analyses of the samples as received. Denele Analytical assumes no responsibility for which the customer uses our test results, nor liability for any other warranties, express or implied. These terms and conditions shall supercede any conflicting terms and conditions submitted on customer purchase orders or other forms submitted for work.

**Denele Analytical, Inc.**

865 South Kilroy Avenue Turlock, CA 95380
Phone (209) 634-9055 - Fax (209) 634-9057

40 N. East Street, Woodland, CA 95776
Phone (530) 666-9056 - Fax (530) 666-9058

www.denelelabs.com

# Compliance Analysis Report

**Customer**
Ackerman Dairy Inc.
P.O. Box 2909
Ceres, CA 95307

**Grower**

**Consultant:**
F & R Ag Services
2857 Geer Rd. Ste A
Turlock, CA 95382

PURCHASE ORDER:
RECEIVED DATE: 12/21/23 3:40 PM
SUBMITTED BY: Debbie
ANALYZED DATE: 12/27/23

Irrigation/ Ground Water (H1)
SOURCE: Well Water

NOTES: Temperature was above qualifying at 18.0c

| Sample ID | Lab ID | Analyte | Method Ref | Result | Units |
|---|---|---|---|---|---|
| Dairy | T3355009F | Electrical Conductivity (EC) | EPA 120.1 and | 0.575 | mmhos/cm |
| | | Nitrate Nitrogen (NO3-N) | EPA 353.2 | 5.80 | mg/L |
| | | Ammonia Nitrogen (NH3-N) | SM 4500-NH3 D,C | < 0.500 | mg/L |
| | | Soluble Salts (SALT-SOL) | Calculation | 368 | mg/L |

| Laboratory Quality Control | LCS % | MS % | MSD % | RPD % |
|---|---|---|---|---|
| Ammonia Nitrogen (NH3-N) | 91.8 | 95.8 (T3355006J) | 94.6 (T3355006J) | 1.26 |
| Electrical Conductivity (EC) | 97.2 | | | 1.65 |
| Nitrate Nitrogen (NO3-N) | 103 | | | 7.06 |

The warranty of Denele Analytical is limited to the accuracy of the analyses of the samples as received. Denele Analytical assumes no responsibility for which the customer uses our test results, nor liability for any other warranties, express or implied. These terms and conditions shall supercede any conflicting terms and conditions submitted on customer purchase orders or other forms submitted for work.

# DENELE ANALYTICAL, INC.

865 S. KILROY
TURLOCK, CA 95380
PH# 209-634-9055 FAX# 209-634-9057

## DAIRY COMPLIANCE

Client: Ackerman Dairy
Mailing address:
(not facility address)
Phone#:

Authorized Copy Released To:

Sampled By:
Project ID:

## ANALYSIS TO BE COMPLETED:

**IRRIGATION/GROUND WATER**
- H1 EC*, NO3-N, NH4-N*
- H6 EC, TN, TDS
- H7 Combination of H1 & H6
- H14 EC, NO3-N, NH4-N, Ca, Mg, Na, Bicarb Carb, SO4, Cl, TDS

**PROCESS WASTE WATER**
- H3 EC*, NH4-N, TKN, TP, K, TDS
- H4 EC*, NO3-N, NH4-N, TKN, TP, K, TDS
- H5 Ca, Mg, Na, Bicarb, Carb, SO4, Cl
- H8 Combination of H3 &H5
- H9 Combination of H4 &H5

**TILE DRAIN**
- H2 EC*, NO3-N, TP, NH4-N*, TDS

** Required Field Measurement*

___ (Check here if performed)

**DISCHARGE WATER**
- E1 EC*, Temp*, pH*, NO3-N, NH4-N, TKN, TP, K, TDS, Dissolved Oxygen*, BOD 5, TSS, Total & Fecal Coliforms
- E2 EC,* Temp*, pH*, NO3-N, NH4-N*, Turbidity, TP, Dissolved Oxygen*, Total & Fecal Coliforms
- E3 EC*, Temp*, pH*, NO3-N, NH4-N*, TP, Total & Fecal Coliforms
- E4 EC*, Temp*, pH*, NO3-N, NH4-N*, Turbidity, TP, Total & Fecal Coliform

**MANURE**
- M1 % Moisture
- M3 TN TP, K, % Moisture
- M4 Ca, Mg, Na, Bicarb, Carb, SO4, Cl, Ash
- M7 Combination of M3 & M4

**PLANT TISSUE**
- F18 % Moisture, Ash, TN, P, K, DM and as received
- F18+ % Moisture, Ash, TN, P, K, DM and as received (Package also includes NIR DCAD)
- F19+ % Moisture, TN (Package includes complete plant tissue analysis)

**SOIL**
- K3 Soluble Phosphorus
- K4 1ft NO3, Organic Matter
- K5 Pre-Plant (2ft NO3), Fall (1-2ft NO3), Fall (2-3ft NO3)
- K6 0-1ft EC, NO3, Soluble P, K, Organic Matter
- K7 Combination of K3 & K4
- K8 Combination of K3 & K5

| | Date Collected | Time Collected | Sample ID | Description | Temp | Well Purge | H1 | H3 | M3 | F18 | OTHER |
|---|---|---|---|---|---|---|---|---|---|---|---|
| 1 | 12-15 | 10:30 | J. Mello | DW | 17.6°C | | H1 | | | | |
| 2 | 12-15 | 10:30 | I W | ~~D~~ | 18.0°C | | ~~H7~~ | | | | H7 |
| 3 | 12-15 | 10:30 | mtt | DW | 18.0°C | | ↓ | | | | |
| 4 | 12-15 | 10:30 | oscar | DW | 18.0°C | | | | | | |
| 5 | 12-15 | 10:30 | mtt | DW | 17.8°C | | | | | | |
| 6 | 12-15 | 10:30 | Dairy | DW | 18.0°C | | ↓ | | | | |
| 7 | | | | | | | | | | | |
| 8 | | | | | | | | | | | |
| 9 | | | | | | | | | | | |
| 10 | | | | | | | | | | | |

**CHAIN OF CUSTODY RECORDING**

| | Signature | Company | Received Date & Time | Relinquished Date & Time | (LABORATORY USE ONLY) Logged in By: | LABORATORY NUMBER |
|---|---|---|---|---|---|---|
| 1st | Debra Ackerman | | 12-21-23 | 3:40 | | |
| 2nd | | DENELE ANALYTICAL, INC. | 12-21-23 3:40 | | | T3355009 |

Required to be submitted to any agency? (YES / NO)

**Denele Analytical, Inc.**

865 South Kilroy Avenue Turlock, CA 95380
Phone (209) 634-9055 - Fax (209) 634-9057

40 N. East Street, Woodland, CA 95776
Phone (530) 666-9056 - Fax (530) 666-9058

www.denelelabs.com

# Compliance Analysis Report

**Customer**
Ackerman Dairy Inc.
P.O. Box 2909
Ceres, CA 95307

**Grower**

**Consultant:**
F & R Ag Services
2857 Geer Rd. Ste A
Turlock, CA 95382

PURCHASE ORDER:
RECEIVED DATE: 12/21/23 3:40 PM
SUBMITTED BY: Debbie
ANALYZED DATE: 12/27/23

Irrigation/ Ground Water (H1)
SOURCE: Well Water

NOTES: Temperature was above qualifying at 18.0c

| Sample ID | Lab ID | Analyte | Method Ref | Result | Units |
|---|---|---|---|---|---|
| DW D. Mello | T3355010A | Electrical Conductivity (EC) | EPA 120.1 and | 2.11 | mmhos/cm |
| | | Nitrate Nitrogen (NO3-N) | EPA 353.2 | 134 | mg/L |
| | | Ammonia Nitrogen (NH3-N) | SM 4500-NH3 D,C | < 0.500 | mg/L |
| | | Soluble Salts (SALT-SOL) | Calculation | 1350 | mg/L |

| Laboratory Quality Control | LCS % | MS % | MSD % | RPD % |
|---|---|---|---|---|
| Ammonia Nitrogen (NH3-N) | 91.8 | 95.8 (T3355006J) | 94.6 (T3355006J) | 1.26 |
| Electrical Conductivity (EC) | 97.2 | | | 1.65 |
| Nitrate Nitrogen (NO3-N) | 103 | | | 7.06 |

The warranty of Denele Analytical is limited to the accuracy of the analyses of the samples as received. Denele Analytical assumes no responsibility for which the customer uses our test results, nor liability for any other warranties, express or implied. These terms and conditions shall supercede any conflicting terms and conditions submitted on customer purchase orders or other forms submitted for work.



ELAP Certificate No.: 2714

**Denele Analytical, Inc.**

865 South Kilroy Avenue Turlock, CA 95380
Phone (209) 634-9055 - Fax (209) 634-9057

40 N. East Street, Woodland, CA 95776
Phone (530) 666-9056 - Fax (530) 666-9058

www.denelelabs.com

# Compliance Analysis Report

**Customer**
Ackerman Dairy Inc.
P.O. Box 2909
Ceres, CA 95307

**Grower**

**Consultant:**
F & R Ag Services
2857 Geer Rd. Ste A
Turlock, CA 95382

PURCHASE ORDER:
RECEIVED DATE: 12/21/23 3:40 PM
SUBMITTED BY: Debbie
ANALYZED DATE: 12/27/23

Irrigation/ Ground Water (H1)
SOURCE: Well Water

NOTES: Temperature was above qualifying at 18.0c

| Sample ID | Lab ID | Analyte | Method Ref | Result | Units |
|---|---|---|---|---|---|
| DW Washington | T3355010B | Electrical Conductivity (EC) | EPA 120.1 and | 1.02 | mmhos/cm |
| | | Nitrate Nitrogen (NO3-N) | EPA 353.2 | 37.6 | mg/L |
| | | Ammonia Nitrogen (NH3-N) | SM 4500-NH3 D,C | < 0.500 | mg/L |
| | | Soluble Salts (SALT-SOL) | Calculation | 651 | mg/L |

| Laboratory Quality Control | LCS % | MS % | MSD % | RPD % |
|---|---|---|---|---|
| Ammonia Nitrogen (NH3-N) | 91.8 | 95.8 (T3355006J) | 94.6 (T3355006J) | 1.26 |
| Electrical Conductivity (EC) | 97.2 | | | 1.65 |
| Nitrate Nitrogen (NO3-N) | 103 | | | 7.06 |

The warranty of Denele Analytical is limited to the accuracy of the analyses of the samples as received. Denele Analytical assumes no responsibility for which the customer uses our test results, nor liability for any other warranties, express or implied. These terms and conditions shall supercede any conflicting terms and conditions submitted on customer purchase orders or other forms submitted for work.

**Denele Analytical, Inc.**

865 South Kilroy Avenue Turlock, CA 95380
Phone (209) 634-9055 - Fax (209) 634-9057

40 N. East Street, Woodland, CA 95776
Phone (530) 666-9056 - Fax (530) 666-9058

www.denelelabs.com

# Compliance Analysis Report

**Customer**
Ackerman Dairy Inc.
P.O. Box 2909
Ceres, CA 95307

**Grower**

**Consultant:**
F & R Ag Services
2857 Geer Rd. Ste A
Turlock, CA 95382

PURCHASE ORDER:
RECEIVED DATE: 12/21/23 3:40 PM
SUBMITTED BY: Debbie
ANALYZED DATE: 12/27/23

Irrigation/ Ground Water (H1)
SOURCE: Well Water

NOTES: Temperature was above qualifying at 17.6c

| Sample ID | Lab ID | Analyte | Method Ref | Result | Units |
|---|---|---|---|---|---|
| Mendoca | T3355010C | Electrical Conductivity (EC) | EPA 120.1 and | 0.968 | mmhos/cm |
| | | Nitrate Nitrogen (NO3-N) | EPA 353.2 | 15.2 | mg/L |
| | | Ammonia Nitrogen (NH3-N) | SM 4500-NH3 D,C | < 0.500 | mg/L |
| | | Soluble Salts (SALT-SOL) | Calculation | 620 | mg/L |

| Laboratory Quality Control | LCS % | MS % | MSD % | RPD % |
|---|---|---|---|---|
| Ammonia Nitrogen (NH3-N) | 91.8 | 95.8 (T3355006J) | 94.6 (T3355006J) | 1.26 |
| Electrical Conductivity (EC) | 97.2 | | | 1.65 |
| Nitrate Nitrogen (NO3-N) | 103 | | | 7.06 |

The warranty of Denele Analytical is limited to the accuracy of the analyses of the samples as received. Denele Analytical assumes no responsibility for which the customer uses our test results, nor liability for any other warranties, express or implied. These terms and conditions shall supercede any conflicting terms and conditions submitted on customer purchase orders or other forms submitted for work.

**Denele Analytical, Inc.**

865 South Kilroy Avenue Turlock, CA 95380
Phone (209) 634-9055 - Fax (209) 634-9057

40 N. East Street, Woodland, CA 95776
Phone (530) 666-9056 - Fax (530) 666-9058

www.denelelabs.com

# Compliance Analysis Report

**Customer**
Ackerman Dairy Inc.
P.O. Box 2909
Ceres, CA 95307

**Grower**

**Consultant:**
F & R Ag Services
2857 Geer Rd. Ste A
Turlock, CA 95382

PURCHASE ORDER:
RECEIVED DATE: 12/21/23 3:40 PM
SUBMITTED BY: Debbie
ANALYZED DATE: 12/27/23

Irrigation/ Ground Water (H1)
SOURCE: Well Water

NOTES: Temperature was above qualifying at 18.0c

| Sample ID | Lab ID | Analyte | Method Ref | Result | Units |
|---|---|---|---|---|---|
| Cook | T3355010D | Electrical Conductivity (EC) | EPA 120.1 and | 1.64 | mmhos/cm |
| | | Nitrate Nitrogen (NO3-N) | EPA 353.2 | 82.9 | mg/L |
| | | Ammonia Nitrogen (NH3-N) | SM 4500-NH3 D,C | < 0.500 | mg/L |
| | | Soluble Salts (SALT-SOL) | Calculation | 1050 | mg/L |

| Laboratory Quality Control | LCS % | MS % | MSD % | RPD % |
|---|---|---|---|---|
| Ammonia Nitrogen (NH3-N) | 91.8 | 95.8 (T3355006J) | 94.6 (T3355006J) | 1.26 |
| Electrical Conductivity (EC) | 97.2 | | | 1.65 |
| Nitrate Nitrogen (NO3-N) | 103 | 104 (T3361008A) | 100 (T3361008A) | 3.27 |

The warranty of Denele Analytical is limited to the accuracy of the analyses of the samples as received. Denele Analytical assumes no responsibility for which the customer uses our test results, nor liability for any other warranties, express or implied. These terms and conditions shall supercede any conflicting terms and conditions submitted on customer purchase orders or other forms submitted for work.

**Denele Analytical, Inc.**

865 South Kilroy Avenue Turlock, CA 95380
Phone (209) 634-9055 - Fax (209) 634-9057

40 N. East Street, Woodland, CA 95776
Phone (530) 666-9056 - Fax (530) 666-9058

www.denelelabs.com

# Compliance Analysis Report

**Customer**
Ackerman Dairy Inc.
P.O. Box 2909
Ceres, CA 95307

**Grower**

**Consultant:**
F & R Ag Services
2857 Geer Rd. Ste A
Turlock, CA 95382

PURCHASE ORDER:
RECEIVED DATE: 12/21/23 3:40 PM
SUBMITTED BY: Debbie
ANALYZED DATE: 12/27/23

Irrigation/ Ground Water (H1)
SOURCE: Well Water

NOTES: Temperature was above qualifying at 17.6c

| Sample ID | Lab ID | Analyte | Method Ref | Result | Units |
|---|---|---|---|---|---|
| 10 Acres | T3355010E | Electrical Conductivity (EC) | EPA 120.1 and | 1.66 | mmhos/cm |
| | | Nitrate Nitrogen (NO3-N) | EPA 353.2 | 80.1 | mg/L |
| | | Ammonia Nitrogen (NH3-N) | SM 4500-NH3 D,C | < 0.500 | mg/L |
| | | Soluble Salts (SALT-SOL) | Calculation | 1060 | mg/L |

| Laboratory Quality Control | LCS % | MS % | MSD % | RPD % |
|---|---|---|---|---|
| Ammonia Nitrogen (NH3-N) | 91.8 | 95.8 (T3355006J) | 94.6 (T3355006J) | 1.26 |
| Electrical Conductivity (EC) | 97.2 | | | 1.65 |
| Nitrate Nitrogen (NO3-N) | 103 | 104 (T3361008A) | 100 (T3361008A) | 3.27 |

The warranty of Denele Analytical is limited to the accuracy of the analyses of the samples as received. Denele Analytical assumes no responsibility for which the customer uses our test results, nor liability for any other warranties, express or implied. These terms and conditions shall supercede any conflicting terms and conditions submitted on customer purchase orders or other forms submitted for work.

**Denele Analytical, Inc.**

865 South Kilroy Avenue Turlock, CA 95380
Phone (209) 634-9055 - Fax (209) 634-9057

40 N. East Street, Woodland, CA 95776
Phone (530) 666-9056 - Fax (530) 666-9058

www.denelelabs.com

# Compliance Analysis Report

**Customer**
Ackerman Dairy Inc.
P.O. Box 2909
Ceres, CA 95307

**Grower**

**Consultant:**
F & R Ag Services
2857 Geer Rd. Ste A
Turlock, CA 95382

PURCHASE ORDER:
RECEIVED DATE: 12/21/23 3:40 PM
SUBMITTED BY: Debbie
ANALYZED DATE: 12/27/23

Irrigation/ Ground Water (H1)
SOURCE: Well Water

NOTES: Temperature was above qualifying at 19.0c

| Sample ID | Lab ID | Analyte | Method Ref | Result | Units |
|---|---|---|---|---|---|
| PH | T3355010F | Electrical Conductivity (EC) | EPA 120.1 and | 0.487 | mmhos/cm |
| | | Nitrate Nitrogen (NO3-N) | EPA 353.2 | 1.63 | mg/L |
| | | Ammonia Nitrogen (NH3-N) | SM 4500-NH3 D,C | < 0.500 | mg/L |
| | | Soluble Salts (SALT-SOL) | Calculation | 312 | mg/L |

| Laboratory Quality Control | LCS % | MS % | MSD % | RPD % |
|---|---|---|---|---|
| Ammonia Nitrogen (NH3-N) | 91.8 | 95.8 (T3355006J) | 94.6 (T3355006J) | 1.26 |
| Electrical Conductivity (EC) | 97.2 | | | 1.65 |
| Nitrate Nitrogen (NO3-N) | 103 | 104 (T3361008A) | 100 (T3361008A) | 3.27 |

The warranty of Denele Analytical is limited to the accuracy of the analyses of the samples as received. Denele Analytical assumes no responsibility for which the customer uses our test results, nor liability for any other warranties, express or implied. These terms and conditions shall supercede any conflicting terms and conditions submitted on customer purchase orders or other forms submitted for work.

# DENELE ANALYTICAL, INC.

865 S. KILROY
TURLOCK, CA 95380

PH# 209-634-9055 FAX# 209-634-9057

## DAIRY COMPLIANCE

Authorized Copy Released To:

Client: Ackerman Dairy
Mailing address:
(not facility address)
Phone#: 209-605-7383

Sampled By:
Project ID:

### ANALYSIS TO BE COMPLETED:

**IRRIGATION/GROUND WATER**
- H1 EC*, NO3-N, NH4-N*
- H6 EC, TN, TDS
- H7 Combination of H1 & H6
- H14 EC, NO3-N, NH4-N, Ca, Mg, Na, Bicarb Carb, SO4, Cl, TDS

**PROCESS WASTE WATER**
- H3 EC*, NH4-N, TKN, TP, K, TDS
- H4 EC*, NO3-N, NH4-N, TKN, TP, K, TDS
- H5 Ca, Mg, Na, Bicarb, Carb, SO4, Cl
- H8 Combination of H3 &H5
- H9 Combination of H4 &H5

**TILE DRAIN**
- H2 EC*, NO3-N, TP, NH4-N*, TDS

** Required Field Measurement*

___ (Check here if performed)

**DISCHARGE WATER**
- E1 EC*, Temp*, pH*, NO3-N, NH4-N, TKN, TP, K, TDS, Dissolved Oxygen*, BOD 5, TSS, Total & Fecal Coliforms
- E2 EC,* Temp*, pH*, NO3-N, NH4-N*, Turbidity, TP, Dissolved Oxygen*, Total & Fecal Coliforms
- E3 EC*, Temp*, pH*, NO3-N, NH4-N*, TP, Total & Fecal Coliforms
- E4 EC*, Temp*, pH*, NO3-N, NH4-N*, Turbidity, TP, Total & Fecal Coliform

**MANURE**
- M1 % Moisture
- M3 TN TP, K, % Moisture
- M4 Ca, Mg, Na, Bicarb, Carb, SO4, Cl, Ash
- M7 Combination of M3 & M4

**PLANT TISSUE**
- F18 % Moisture, Ash, TN, P, K, DM and as received
- F18+ % Moisture, Ash, TN, P, K, DM and as received (Package also includes NIR DCAD)
- F19+ % Moisture, TN (Package includes complete plant tissue analysis)

**SOIL**
- K3 Soluble Phosphorus
- K4 1ft NO3, Organic Matter
- K5 Pre-Plant (2ft NO3), Fall (1-2ft NO3), Fall (2-3ft NO3)
- K6 0-1ft EC, NO3, Soluble P, K, Organic Matter
- K7 Combination of K3 & K4
- K8 Combination of K3 & K5

| | Date Collected | Time Collected | Sample ID | Description | Temp | Well Purge | H1 | H3 | M3 | F18 | OTHER |
|---|---|---|---|---|---|---|---|---|---|---|---|
| 1 | 12-15 | 10 AM | DW D. mello | DW | 18.0°C | | 1-12 | | | | |
| 2 | 12-15 | 10 AM | DW washington | DW | 18.0°C | | | | | | |
| 3 | 12-15 | 10 AM | mendoca | DW | 17.6°C | | | | | | |
| 4 | 12-15 | 10 AM | Cook | DW | 18.0°C | | | | | | |
| 5 | 12-15 | 10 AM | 10 Acres | DW | 17.6°C | | | | | | |
| 6 | | | | | | | | | | | |
| 7 | 12-21 | 3:00 pm | PH | DW | 19.0°C | | | | | | |
| 8 | | | | | | | | | | | |
| 9 | | | | | | | | | | | |
| 10 | | | | | | | | | | | |

Analysis

### CHAIN OF CUSTODY RECORDING

| | Signature | Company | Received Date & Time | Relinquished Date & Time | (LABORATORY USE ONLY) Logged in By: | LABORATORY NUMBER |
|---|---|---|---|---|---|---|
| 1st | [illegible] | | 12-21-23 3:40 | | | |
| 2nd | [illegible] | DENELE ANALYTICAL, INC. | 12-21-23 3:40 | | | T3355010 |

Required to be submitted to any agency? ( YES / NO )

# Ackerman Dairy 2023 Annual Report

Final Audit Report 2024-04-17

| | |
|---|---|
| Created: | 2024-04-17 |
| By: | Sean Locke (slocke@fragservices.com) |
| Status: | Signed |
| Transaction ID: | CBJCHBCAABAAxDnH98ucB5g0FC1qSjvfu0bFS_cf_Eg4 |

## "Ackerman Dairy 2023 Annual Report" History

Document created by Sean Locke (slocke@fragservices.com)
2024-04-17 - 10:50:49 PM GMT

Document emailed to mail2debb@aol.com for signature
2024-04-17 - 10:51:41 PM GMT

Email viewed by mail2debb@aol.com
2024-04-17 - 11:26:35 PM GMT

Signer mail2debb@aol.com entered name at signing as Debra Ackerman
2024-04-17 - 11:28:12 PM GMT

Document e-signed by Debra Ackerman (mail2debb@aol.com)
Signature Date: 2024-04-17 - 11:28:14 PM GMT - Time Source: server

Agreement completed.
2024-04-17 - 11:28:14 PM GMT