Annual Report - General Order No. R5-2007-0035
Reporting period 01/01/2023 to 12/31/2023.

DAIRY FACILITY INFORMATION

A. NAME OF DAIRY OR BUSINESS OPERATING THE DAIRY: Beglinger Dairy

Physical address of dairy:

7329 County Road 16	Orland	Glenn	95963
Number and Street	City	County	Zip Code

Street and nearest cross street (if no address):

Date facility was originally placed in operation: 01/01/1960

Regional Water Quality Control Board Basin Plan designation: Sacramento River Basin

County Assessor Parcel Number(s) for dairy facility:

0046-0320-0004-0000

B. OPERATORS

Beglinger, Nick

Operator name: Beglinger, Nick

Telephone no.: (530) 865-8031 (Landline) (Cellular)

7329 County Road 16	Orland	CA	95963
Mailing Address Number and Street	City	State	Zip Code

This operator is responsible for paying permit fees.

C. OWNERS

Beglinger, Nick

Legal owner name: Beglinger, Nick

Telephone no.: (530) 865-8031 (Landline) (Cellular)

7329 County Road 16	Orland	CA	95963
Mailing Address Number and Street	City	State	Zip Code

This owner is responsible for paying permit fees.

AVAILABLE NUTRIENTS

A. HERD INFORMATION

	Milk Cows	Dry Cows	Bred Heifers (15-24 mo.)	Heifers (7-14 mo. to breeding)	Calves (4-6 mo.)	Calves (0-3 mo.)
Number open confinement	0	30	50	50	30	25
Number under roof	190	0	0	0	0	0
Maximum number	190	30	50	50	30	25
Average number	190	30	50	50	30	25
Avg live weight (lbs)	1,300	1,350	800	500		

Predominant milk cow breed: Holstein

Average milk production: 50 *pounds per cow per day*

B. MANURE GENERATED

Total manure excreted by the herd: 5,972.45 *tons per reporting period*

Total nitrogen from manure: 75,666.77 *lbs per reporting period*

After ammonia losses (30% loss applied): 52,966.74 *lbs per reporting period*

Total phosphorus from manure: 12,243.08 *lbs per reporting period*

Total potassium from manure: 33,890.15 *lbs per reporting period*

Total salt from manure: 96,360.00 *lbs per reporting period*

C. PROCESS WASTEWATER GENERATED

Process wastewater generated: _____ *gallons*

Total nitrogen generated: _____ *lbs*

Total phosphorus generated: _____ *lbs*

Total potassium generated: _____ *lbs*

Total salt generated: _____ *lbs*

	0	*gallons applied*
+	0	*gallons exported*
-	0	*gallons imported*
=	0	*gallons generated*

D. FRESH WATER SOURCES

Source Description	Type
Irrigation District	Surface water

E. SUBSURFACE (TILE) DRAINAGE SOURCES

No subsurface (tile) drainage sources entered.

F. NUTRIENT IMPORTS

No dry manure nutrient imports entered.

No process wastewater nutrient imports entered.

No commercial or other nutrient imports entered.

G. NUTRIENT EXPORTS

No solid nutrient exports entered.

No liquid nutrient exports entered.

APPLICATION AREA

A. LIST OF LAND APPLICATION AREAS

Field name	Controlled acres	Cropable acres	Total harvests	Type of waste applied	Parcel number
1 & 5	30	30	2	manure	X046-X320-X003-X000 X046-X320-X004-X000
2	30	30	2	manure	X046-X220-X018-X000
3 & 4	40	40	1	none	X046-X220-X017-X000 X046-X220-X031-X009
Totals for areas that were used for application	60	60	4		
Totals for areas that were not used for application	40	40	1		
Land application area totals	100	100	5		

B. CROPS AND HARVESTS

1 & 5

Field name: 1 & 5

10/26/2022: Wheat, silage, boot stage

Crop: Wheat, silage, boot stage Acres planted: 30 Plant date: 10/26/2022

Harvest date	Yield	Reporting basis	Density (lbs/cu ft)	Moisture (%)	N (mg/kg)	P (mg/kg)	K (mg/kg)	Salt (mg/kg)	TFS (%)
05/30/2023	297.00 *ton*	Dry-weight		65.2	9,400.00	2,620.00	11,500.00		11.90

	Yield (tons/acre)	Total N (lbs/acre)	Total P (lbs/acre)	Total K (lbs/acre)	Salt (lbs/acre)
Anticipated harvest content	10.00	160.00	28.00	120.00	0.00
Total actual harvest content	9.90	64.77	18.05	79.24	819.96

1 & 5

06/07/2023: Sudangrass, silage

Crop: Sudangrass, silage Acres planted: 30 Plant date: 06/07/2023

Harvest date	Yield	Reporting basis	Density (lbs/cu ft)	Moisture (%)	N (mg/kg)	P (mg/kg)	K (mg/kg)	Salt (mg/kg)	TFS (%)
08/04/2023	790.00 *ton*	Dry-weight		81.6	16,000.00	5,320.00	41,100.00		17.90

	Yield (tons/acre)	Total N (lbs/acre)	Total P (lbs/acre)	Total K (lbs/acre)	Salt (lbs/acre)
Anticipated harvest content	26.00	286.00	44.20	312.00	0.00
Total actual harvest content	26.33	155.05	51.55	398.29	1,734.63

2

Field name: 2

10/26/2022: Wheat, silage, boot stage

Crop: Wheat, silage, boot stage Acres planted: 30 Plant date: 10/26/2022

Harvest date	Yield	Reporting basis	Density (lbs/cu ft)	Moisture (%)	N (mg/kg)	P (mg/kg)	K (mg/kg)	Salt (mg/kg)	TFS (%)
05/30/2023	297.00 *ton*	Dry-weight		66.4	10,400.00	2,660.00	12,600.00		12.00

	Yield (tons/acre)	Total N (lbs/acre)	Total P (lbs/acre)	Total K (lbs/acre)	Salt (lbs/acre)
Anticipated harvest content	10.00	160.00	28.00	120.00	0.00
Total actual harvest content	9.90	69.19	17.70	83.83	798.34

06/07/2023: Sudangrass, silage

Crop: Sudangrass, silage Acres planted: 30 Plant date: 06/07/2023

Harvest date	Yield	Reporting basis	Density (lbs/cu ft)	Moisture (%)	N (mg/kg)	P (mg/kg)	K (mg/kg)	Salt (mg/kg)	TFS (%)
10/12/2023	780.00 *ton*	Dry-weight		68.0	16,600.00	5,290.00	31,400.00		16.80

	Yield (tons/acre)	Total N (lbs/acre)	Total P (lbs/acre)	Total K (lbs/acre)	Salt (lbs/acre)
Anticipated harvest content	26.00	286.00	44.20	312.00	0.00
Total actual harvest content	26.00	276.22	88.03	522.50	2,795.52

3 & 4

Field name: 3 & 4

11/01/2007: Pasture

Crop: Pasture Acres planted: 40 Plant date: 11/01/2007

Harvest date	Yield	Reporting basis	Density (lbs/cu ft)	Moisture (%)	N (mg/kg)	P (mg/kg)	K (mg/kg)	Salt (mg/kg)	TFS (%)
09/30/2023	400.00 *ton*	Dry-weight		72.5	31,700.00	1,720.00	12,400.00		10.30

	Yield (tons/acre)	Total N (lbs/acre)	Total P (lbs/acre)	Total K (lbs/acre)	Salt (lbs/acre)
Anticipated harvest content	10.00	150.00	30.00	150.00	0.00
Total actual harvest content	10.00	174.35	9.46	68.20	566.50

NUTRIENT BUDGET

A. LAND APPLICATIONS

1 & 5 - 10/26/2022: Wheat, silage, boot stage

Field name: 1 & 5

Crop: Wheat, silage, boot stage — Plant date: 10/26/2022

Application date	Application method	Precipitation 24 hours prior	Precipitation during application	Precipitation 24 hours following
10/18/2022	Broadcast/incorporate	No precipitation	No precipitation	No precipitation

Source description	Material type	N (lbs/acre)	P (lbs/acre)	K (lbs/acre)	Salt (lbs/acre)	Amount
Separator 'Solids	Separator solids	81.50	58.94	27.73	0.00	130.00 *ton*
Application event totals		81.50	58.94	27.73	0.00	

05/01/2023	Surface (irrigation)	No precipitation	No precipitation	No precipitation

Source description	Material type	N (lbs/acre)	P (lbs/acre)	K (lbs/acre)	Salt (lbs/acre)	Amount
Irrigation District	Surface water	0.00	0.00	0.00	169.98	2,909,853.00 *gal*
Application event totals		0.00	0.00	0.00	169.98	

1 & 5 - 06/07/2023: Sudangrass, silage

Field name: 1 & 5

Crop: Sudangrass, silage — Plant date: 06/07/2023

Application date	Application method	Precipitation 24 hours prior	Precipitation during application	Precipitation 24 hours following
05/31/2023	Broadcast/incorporate	No precipitation	No precipitation	No precipitation

Source description	Material type	N (lbs/acre)	P (lbs/acre)	K (lbs/acre)	Salt (lbs/acre)	Amount
dCorral Solids	Corral solids	201.25	168.25	243.92	0.00	230.00 *ton*
Application event totals		201.25	168.25	243.92	0.00	

06/19/2023	Surface (irrigation)	No precipitation	No precipitation	No precipitation

Source description	Material type	N (lbs/acre)	P (lbs/acre)	K (lbs/acre)	Salt (lbs/acre)	Amount
Irrigation District	Surface water	0.00	0.00	0.00	169.98	2,909,853.00 *gal*
Application event totals		0.00	0.00	0.00	169.98	

1 & 5 - 06/07/2023: Sudangrass, silage

Application date	Application method	Precipitation 24 hours prior	Precipitation during application	Precipitation 24 hours following
07/01/2023	Surface (irrigation)	No precipitation	No precipitation	No precipitation

Source description	Material type	N (lbs/acre)	P (lbs/acre)	K (lbs/acre)	Salt (lbs/acre)	Amount
Irrigation District	Surface water	0.00	0.00	0.00	217.18	3,717,964.00 *gal*
Application event totals		0.00	0.00	0.00	217.18	

Application date	Application method	Precipitation 24 hours prior	Precipitation during application	Precipitation 24 hours following
07/13/2023	Surface (irrigation)	No precipitation	No precipitation	No precipitation

Source description	Material type	N (lbs/acre)	P (lbs/acre)	K (lbs/acre)	Salt (lbs/acre)	Amount
Irrigation District	Surface water	0.00	0.00	0.00	207.86	3,558,297.00 *gal*
Application event totals		0.00	0.00	0.00	207.86	

Application date	Application method	Precipitation 24 hours prior	Precipitation during application	Precipitation 24 hours following
07/25/2023	Surface (irrigation)	No precipitation	No precipitation	No precipitation

Source description	Material type	N (lbs/acre)	P (lbs/acre)	K (lbs/acre)	Salt (lbs/acre)	Amount
Irrigation District	Surface water	0.00	0.00	0.00	377.64	6,464,842.00 *gal*
Application event totals		0.00	0.00	0.00	377.64	

Application date	Application method	Precipitation 24 hours prior	Precipitation during application	Precipitation 24 hours following
08/06/2023	Surface (irrigation)	No precipitation	No precipitation	No precipitation

Source description	Material type	N (lbs/acre)	P (lbs/acre)	K (lbs/acre)	Salt (lbs/acre)	Amount
Irrigation District	Surface water	0.00	0.00	0.00	207.67	3,555,039.00 *gal*
Application event totals		0.00	0.00	0.00	207.67	

Application date	Application method	Precipitation 24 hours prior	Precipitation during application	Precipitation 24 hours following
08/18/2023	Surface (irrigation)	No precipitation	No precipitation	No precipitation

Source description	Material type	N (lbs/acre)	P (lbs/acre)	K (lbs/acre)	Salt (lbs/acre)	Amount
Irrigation District	Surface water	0.00	0.00	0.00	207.67	3,555,039.00 *gal*
Application event totals		0.00	0.00	0.00	207.67	

Application date	Application method	Precipitation 24 hours prior	Precipitation during application	Precipitation 24 hours following
08/29/2023	Surface (irrigation)	No precipitation	No precipitation	No precipitation

Source description	Material type	N (lbs/acre)	P (lbs/acre)	K (lbs/acre)	Salt (lbs/acre)	Amount
Irrigation District	Surface water	0.00	0.00	0.00	188.82	3,232,446.00 *gal*
Application event totals		0.00	0.00	0.00	188.82	

1 & 5 - 06/07/2023: Sudangrass, silage

Application date	Application method	Precipitation 24 hours prior	Precipitation during application	Precipitation 24 hours following
09/12/2023	Surface (irrigation)	No precipitation	No precipitation	No precipitation

Source description	Material type	N (lbs/acre)	P (lbs/acre)	K (lbs/acre)	Salt (lbs/acre)	Amount
Irrigation District	Surface water	0.00	0.00	0.00	179.31	3,069,520.00 *gal*
Application event totals		0.00	0.00	0.00	179.31	

09/27/2023	Surface (irrigation)	No precipitation	No precipitation	No precipitation

Source description	Material type	N (lbs/acre)	P (lbs/acre)	K (lbs/acre)	Salt (lbs/acre)	Amount
Irrigation District	Surface water	0.00	0.00	0.00	169.98	2,909,853.00 *gal*
Application event totals		0.00	0.00	0.00	169.98	

2 - 10/26/2022: Wheat, silage, boot stage

Field name: 2

Crop: Wheat, silage, boot stage Plant date: 10/26/2022

Application date	Application method	Precipitation 24 hours prior	Precipitation during application	Precipitation 24 hours following
10/26/2022	Broadcast/incorporate	No precipitation	No precipitation	No precipitation

Source description	Material type	N (lbs/acre)	P (lbs/acre)	K (lbs/acre)	Salt (lbs/acre)	Amount
Separator Solids	Separator solids	81.50	58.94	27.73	0.00	130.00 *ton*
Application event totals		81.50	58.94	27.73	0.00	

05/01/2023	Surface (irrigation)	No precipitation	No precipitation	No precipitation

Source description	Material type	N (lbs/acre)	P (lbs/acre)	K (lbs/acre)	Salt (lbs/acre)	Amount
Irrigation District	Surface water	0.00	0.00	0.00	169.79	2,906,594.00 *gal*
Application event totals		0.00	0.00	0.00	169.79	

2 - 06/07/2023: Sudangrass, silage

Field name: 2

Crop: Sudangrass, silage Plant date: 06/07/2023

2 - 06/07/2023: Sudangrass, silage

Application date	Application method	Precipitation 24 hours prior	Precipitation during application	Precipitation 24 hours following
05/31/2023	Broadcast/incorporate	No precipitation	No precipitation	No precipitation

Source description	Material type	N (lbs/acre)	P (lbs/acre)	K (lbs/acre)	Salt (lbs/acre)	Amount
Corral Solids	Corral solids	201.25	168.25	243.92	0.00	230.00 *ton*
Application event totals		201.25	168.25	243.92	0.00	

Application date	Application method	Precipitation 24 hours prior	Precipitation during application	Precipitation 24 hours following
06/19/2023	Surface (irrigation)	No precipitation	No precipitation	No precipitation

Source description	Material type	N (lbs/acre)	P (lbs/acre)	K (lbs/acre)	Salt (lbs/acre)	Amount
Irrigation District	Surface water	0.00	0.00	0.00	278.48	4,767,206.00 *gal*
Application event totals		0.00	0.00	0.00	278.48	

Application date	Application method	Precipitation 24 hours prior	Precipitation during application	Precipitation 24 hours following
07/01/2023	Surface (irrigation)	No precipitation	No precipitation	No precipitation

Source description	Material type	N (lbs/acre)	P (lbs/acre)	K (lbs/acre)	Salt (lbs/acre)	Amount
Irrigation District	Surface water	0.00	0.00	0.00	216.99	3,714,706.00 *gal*
Application event totals		0.00	0.00	0.00	216.99	

Application date	Application method	Precipitation 24 hours prior	Precipitation during application	Precipitation 24 hours following
07/13/2023	Surface (irrigation)	No precipitation	No precipitation	No precipitation

Source description	Material type	N (lbs/acre)	P (lbs/acre)	K (lbs/acre)	Salt (lbs/acre)	Amount
Irrigation District	Surface water	0.00	0.00	0.00	207.67	3,555,039.00 *gal*
Application event totals		0.00	0.00	0.00	207.67	

Application date	Application method	Precipitation 24 hours prior	Precipitation during application	Precipitation 24 hours following
07/25/2023	Surface (irrigation)	No precipitation	No precipitation	No precipitation

Source description	Material type	N (lbs/acre)	P (lbs/acre)	K (lbs/acre)	Salt (lbs/acre)	Amount
Irrigation District	Surface water	0.00	0.00	0.00	377.65	6,464,892.00 *gal*
Application event totals		0.00	0.00	0.00	377.65	

Application date	Application method	Precipitation 24 hours prior	Precipitation during application	Precipitation 24 hours following
08/06/2023	Surface (irrigation)	No precipitation	No precipitation	No precipitation

Source description	Material type	N (lbs/acre)	P (lbs/acre)	K (lbs/acre)	Salt (lbs/acre)	Amount
Irrigation District	Surface water	0.00	0.00	0.00	207.67	3,555,039.00 *gal*
Application event totals		0.00	0.00	0.00	207.67	

2 - 06/07/2023: Sudangrass, silage

Application date	Application method	Precipitation 24 hours prior	Precipitation during application	Precipitation 24 hours following
08/18/2023	Surface (irrigation)	No precipitation	No precipitation	No precipitation

Source description	Material type	N (lbs/acre)	P (lbs/acre)	K (lbs/acre)	Salt (lbs/acre)	Amount
Irrigation District	Surface water	0.00	0.00	0.00	207.67	3,555,039.00 *gal*
Application event totals		0.00	0.00	0.00	207.67	

Application date	Application method	Precipitation 24 hours prior	Precipitation during application	Precipitation 24 hours following
08/29/2023	Surface (irrigation)	No precipitation	No precipitation	No precipitation

Source description	Material type	N (lbs/acre)	P (lbs/acre)	K (lbs/acre)	Salt (lbs/acre)	Amount
Irrigation District	Surface water	0.00	0.00	0.00	188.63	3,229,187.00 *gal*
Application event totals		0.00	0.00	0.00	188.63	

Application date	Application method	Precipitation 24 hours prior	Precipitation during application	Precipitation 24 hours following
09/12/2023	Surface (irrigation)	No precipitation	No precipitation	No precipitation

Source description	Material type	N (lbs/acre)	P (lbs/acre)	K (lbs/acre)	Salt (lbs/acre)	Amount
Irrigation District	Surface water	0.00	0.00	0.00	179.31	3,069,520.00 *gal*
Application event totals		0.00	0.00	0.00	179.31	

Application date	Application method	Precipitation 24 hours prior	Precipitation during application	Precipitation 24 hours following
09/27/2023	Surface (irrigation)	No precipitation	No precipitation	No precipitation

Source description	Material type	N (lbs/acre)	P (lbs/acre)	K (lbs/acre)	Salt (lbs/acre)	Amount
Irrigation District	Surface water	0.00	0.00	0.00	169.79	2,906,544.00 *gal*
Application event totals		0.00	0.00	0.00	169.79	

3 & 4 - 11/01/2007: Pasture

Field name: 3 & 4

Crop: Pasture

Plant date: 11/01/2007

Application date	Application method	Precipitation 24 hours prior	Precipitation during application	Precipitation 24 hours following
05/01/2023	Surface (irrigation)	No precipitation	No precipitation	No precipitation

Source description	Material type	N (lbs/acre)	P (lbs/acre)	K (lbs/acre)	Salt (lbs/acre)	Amount
Irrigation District	Surface water	0.00	0.00	0.00	113.21	2,584,001.00 *gal*
Application event totals		0.00	0.00	0.00	113.21	

3 & 4 - 11/01/2007: Pasture

Application date	Application method	Precipitation 24 hours prior	Precipitation during application	Precipitation 24 hours following
05/13/2023	Surface (irrigation)	No precipitation	No precipitation	No precipitation

Source description	Material type	N (lbs/acre)	P (lbs/acre)	K (lbs/acre)	Salt (lbs/acre)	Amount
Irrigation District	Surface water	0.00	0.00	0.00	113.35	2,587,260.00 *gal*
Application event totals		0.00	0.00	0.00	113.35	

Application date	Application method	Precipitation 24 hours prior	Precipitation during application	Precipitation 24 hours following
05/26/2023	Surface (irrigation)	No precipitation	No precipitation	No precipitation

Source description	Material type	N (lbs/acre)	P (lbs/acre)	K (lbs/acre)	Salt (lbs/acre)	Amount
Irrigation District	Surface water	0.00	0.00	0.00	164.17	3,747,291.00 *gal*
Application event totals		0.00	0.00	0.00	164.17	

Application date	Application method	Precipitation 24 hours prior	Precipitation during application	Precipitation 24 hours following
06/07/2023	Surface (irrigation)	No precipitation	No precipitation	No precipitation

Source description	Material type	N (lbs/acre)	P (lbs/acre)	K (lbs/acre)	Salt (lbs/acre)	Amount
Irrigation District	Surface water	0.00	0.00	0.00	149.90	3,421,440.00 *gal*
Application event totals		0.00	0.00	0.00	149.90	

Application date	Application method	Precipitation 24 hours prior	Precipitation during application	Precipitation 24 hours following
06/20/2023	Surface (irrigation)	No precipitation	No precipitation	No precipitation

Source description	Material type	N (lbs/acre)	P (lbs/acre)	K (lbs/acre)	Salt (lbs/acre)	Amount
Irrigation District	Surface water	0.00	0.00	0.00	169.88	3,877,632.00 *gal*
Application event totals		0.00	0.00	0.00	169.88	

Application date	Application method	Precipitation 24 hours prior	Precipitation during application	Precipitation 24 hours following
07/02/2023	Surface (irrigation)	No precipitation	No precipitation	No precipitation

Source description	Material type	N (lbs/acre)	P (lbs/acre)	K (lbs/acre)	Salt (lbs/acre)	Amount
Irrigation District	Surface water	0.00	0.00	0.00	176.31	4,024,265.00 *gal*
Application event totals		0.00	0.00	0.00	176.31	

Application date	Application method	Precipitation 24 hours prior	Precipitation during application	Precipitation 24 hours following
07/14/2023	Surface (irrigation)	No precipitation	No precipitation	No precipitation

Source description	Material type	N (lbs/acre)	P (lbs/acre)	K (lbs/acre)	Salt (lbs/acre)	Amount
Irrigation District	Surface water	0.00	0.00	0.00	169.88	3,877,632.00 *gal*
Application event totals		0.00	0.00	0.00	169.88	

3 & 4 - 11/01/2007: Pasture

Application date	Application method	Precipitation 24 hours prior	Precipitation during application	Precipitation 24 hours following
07/26/2023	Surface (irrigation)	No precipitation	No precipitation	No precipitation

Source description	Material type	N (lbs/acre)	P (lbs/acre)	K (lbs/acre)	Salt (lbs/acre)	Amount
Irrigation District	Surface water	0.00	0.00	0.00	141.62	3,232,446.00 *gal*
Application event totals		0.00	0.00	0.00	141.62	

Application date	Application method	Precipitation 24 hours prior	Precipitation during application	Precipitation 24 hours following
08/07/2023	Surface (irrigation)	No precipitation	No precipitation	No precipitation

Source description	Material type	N (lbs/acre)	P (lbs/acre)	K (lbs/acre)	Salt (lbs/acre)	Amount
Irrigation District	Surface water	0.00	0.00	0.00	141.62	3,232,440.00 *gal*
Application event totals		0.00	0.00	0.00	141.62	

Application date	Application method	Precipitation 24 hours prior	Precipitation during application	Precipitation 24 hours following
08/19/2023	Surface (irrigation)	No precipitation	No precipitation	No precipitation

Source description	Material type	N (lbs/acre)	P (lbs/acre)	K (lbs/acre)	Salt (lbs/acre)	Amount
Irrigation District	Surface water	0.00	0.00	0.00	141.62	3,232,446.00 *gal*
Application event totals		0.00	0.00	0.00	141.62	

Application date	Application method	Precipitation 24 hours prior	Precipitation during application	Precipitation 24 hours following
08/30/2023	Surface (irrigation)	No precipitation	No precipitation	No precipitation

Source description	Material type	N (lbs/acre)	P (lbs/acre)	K (lbs/acre)	Salt (lbs/acre)	Amount
Irrigation District	Surface water	0.00	0.00	0.00	127.48	2,909,853.00 *gal*
Application event totals		0.00	0.00	0.00	127.48	

Application date	Application method	Precipitation 24 hours prior	Precipitation during application	Precipitation 24 hours following
09/13/2023	Surface (irrigation)	No precipitation	No precipitation	No precipitation

Source description	Material type	N (lbs/acre)	P (lbs/acre)	K (lbs/acre)	Salt (lbs/acre)	Amount
Irrigation District	Surface water	0.00	0.00	0.00	99.08	2,261,408.00 *gal*
Application event totals		0.00	0.00	0.00	99.08	

Application date	Application method	Precipitation 24 hours prior	Precipitation during application	Precipitation 24 hours following
09/27/2023	Surface (irrigation)	No precipitation	No precipitation	No precipitation

Source description	Material type	N (lbs/acre)	P (lbs/acre)	K (lbs/acre)	Salt (lbs/acre)	Amount
Irrigation District	Surface water	0.00	0.00	0.00	170.03	3,880,890.00 *gal*
Application event totals		0.00	0.00	0.00	170.03	

3 & 4 - 11/01/2007: Pasture

Application date	Application method	Precipitation 24 hours prior	Precipitation during application	Precipitation 24 hours following
10/17/2023	Surface (irrigation)	No precipitation	No precipitation	No precipitation

Source description	Material type	N (lbs/acre)	P (lbs/acre)	K (lbs/acre)	Salt (lbs/acre)	Amount
Irrigation District	Surface water	0.00	0.00	0.00	169.88	3,877,632.00 *gal*
Application event totals		0.00	0.00	0.00	169.88	

10/24/2023	Surface (irrigation)	No precipitation	No precipitation	No precipitation

Source description	Material type	N (lbs/acre)	P (lbs/acre)	K (lbs/acre)	Salt (lbs/acre)	Amount
Irrigation District	Surface water	0.00	0.00	0.00	141.62	3,232,446.00 *gal*
Application event totals		0.00	0.00	0.00	141.62	

B. NUTRIENT BUDGET

1 & 5 - 10/26/2022: Wheat, silage, boot stage

Field name: 1 & 5 Crop: Wheat, silage, boot stage Plant date: 10/26/2022

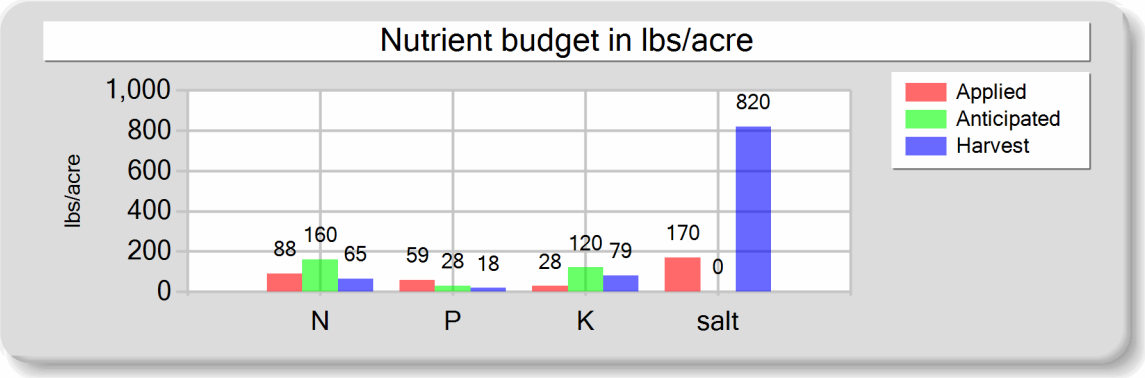

	Total N (lbs/acre)	Total P (lbs/acre)	Total K (lbs/acre)	Total salt (lbs/acre)
Existing soil nutrient content	0.00	0.00	0.00	0.00
Plowdown credit	0.00	0.00	0.00	0.00
Commercial fertilizer / Other	0.00	0.00	0.00	0.00
Dry manure	81.50	58.94	27.73	0.00
Process wastewater	0.00	0.00	0.00	0.00
Fresh water	0.00	0.00	0.00	169.98
Atmospheric deposition	7.00	0.00	0.00	0.00
Total nutrients applied	88.50	58.94	27.73	169.98
Anticipated crop nutrient removal	160.00	28.00	120.00	0.00
Actual crop nutrient removal	64.77	18.05	79.24	819.96
Nutrient balance	23.73	40.89	-51.51	-649.98
Applied to removed ratio	1.37	3.27	0.35	0.21

Fresh water applied	
2,909,853.00	*gallons*
107.16	*acre-inches*
3.57	*inches/acre*

Process wastewater applied	
0.00	*gallons*
0.00	*acre-inches*
0.00	*inches/acre*

Total harvests for the crop	
1	*harvests*

1 & 5 - 06/07/2023: Sudangrass, silage

Field name: 1 & 5 Crop: Sudangrass, silage Plant date: 06/07/2023

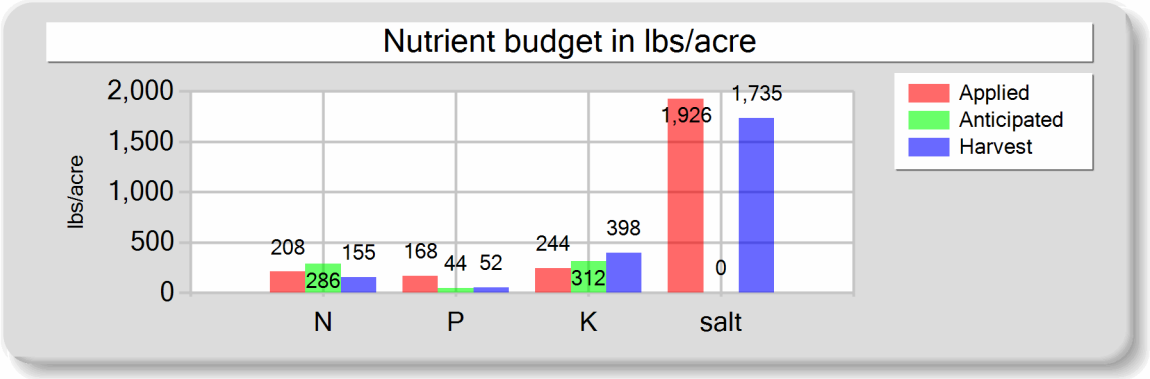

	Total N (lbs/acre)	Total P (lbs/acre)	Total K (lbs/acre)	Total salt (lbs/acre)
Existing soil nutrient content	0.00	0.00	0.00	0.00
Plowdown credit	0.00	0.00	0.00	0.00
Commercial fertilizer / Other	0.00	0.00	0.00	0.00
Dry manure	201.25	168.25	243.92	0.00
Process wastewater	0.00	0.00	0.00	0.00
Fresh water	0.00	0.00	0.00	1,926.11
Atmospheric deposition	7.00	0.00	0.00	0.00
Total nutrients applied	208.25	168.25	243.92	1,926.11
Anticipated crop nutrient removal	286.00	44.20	312.00	0.00
Actual crop nutrient removal	155.05	51.55	398.29	1,734.63
Nutrient balance	53.20	116.69	-154.37	191.48
Applied to removed ratio	1.34	3.26	0.61	1.11

Fresh water applied	
32,972,853.00	*gallons*
1,214.28	*acre-inches*
40.48	*inches/acre*

Process wastewater applied	
0.00	*gallons*
0.00	*acre-inches*
0.00	*inches/acre*

Total harvests for the crop	
1	*harvests*

2 - 10/26/2022: Wheat, silage, boot stage

Field name: 2 Crop: Wheat, silage, boot stage Plant date: 10/26/2022

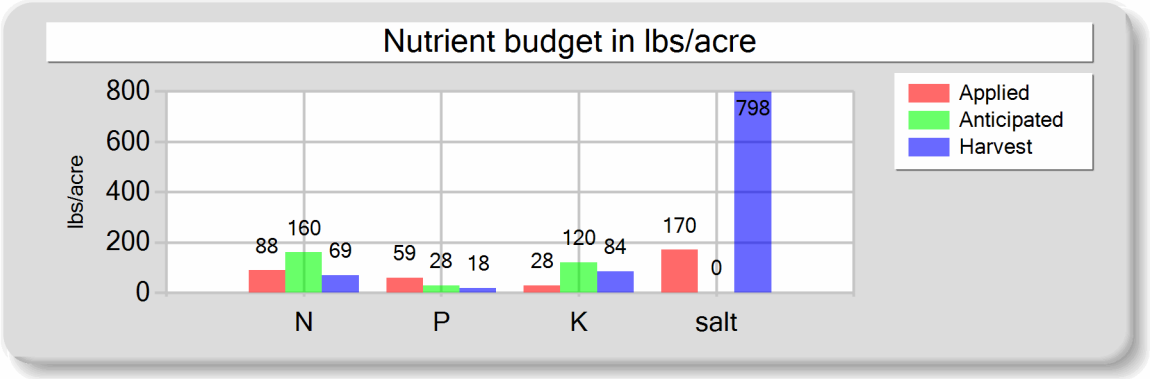

	Total N (lbs/acre)	Total P (lbs/acre)	Total K (lbs/acre)	Total salt (lbs/acre)
Existing soil nutrient content	0.00	0.00	0.00	0.00
Plowdown credit	0.00	0.00	0.00	0.00
Commercial fertilizer / Other	0.00	0.00	0.00	0.00
Dry manure	81.50	58.94	27.73	0.00
Process wastewater	0.00	0.00	0.00	0.00
Fresh water	0.00	0.00	0.00	169.79
Atmospheric deposition	7.00	0.00	0.00	0.00
Total nutrients applied	88.50	58.94	27.73	169.79
Anticipated crop nutrient removal	160.00	28.00	120.00	0.00
Actual crop nutrient removal	69.19	17.70	83.83	798.34
Nutrient balance	19.31	41.25	-56.10	-628.55
Applied to removed ratio	1.28	3.33	0.33	0.21

Fresh water applied	
2,906,594.00	*gallons*
107.04	*acre-inches*
3.57	*inches/acre*

Process wastewater applied	
0.00	*gallons*
0.00	*acre-inches*
0.00	*inches/acre*

Total harvests for the crop	
1	*harvests*

2 - 06/07/2023: Sudangrass, silage

Field name: 2 Crop: Sudangrass, silage Plant date: 06/07/2023

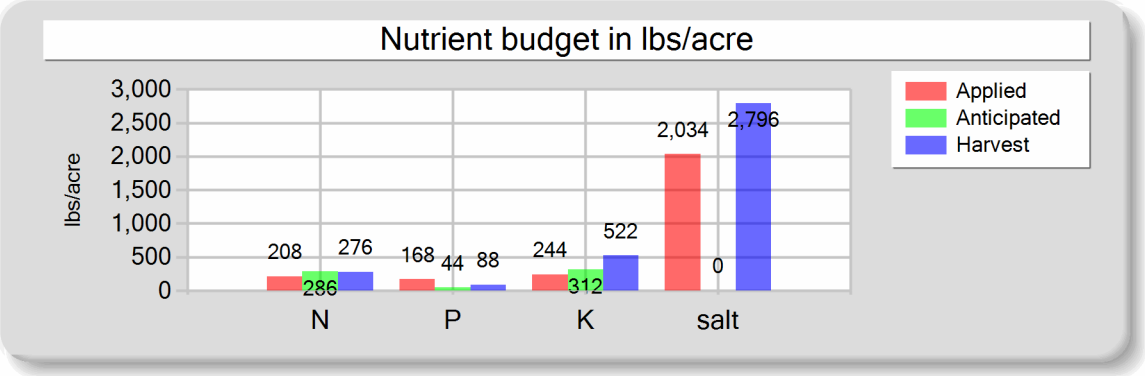

	Total N (lbs/acre)	Total P (lbs/acre)	Total K (lbs/acre)	Total salt (lbs/acre)
Existing soil nutrient content	0.00	0.00	0.00	0.00
Plowdown credit	0.00	0.00	0.00	0.00
Commercial fertilizer / Other	0.00	0.00	0.00	0.00
Dry manure	201.25	168.25	243.92	0.00
Process wastewater	0.00	0.00	0.00	0.00
Fresh water	0.00	0.00	0.00	2,033.85
Atmospheric deposition	7.00	0.00	0.00	0.00
Total nutrients applied	208.25	168.25	243.92	2,033.85
Anticipated crop nutrient removal	286.00	44.20	312.00	0.00
Actual crop nutrient removal	276.22	88.03	522.50	2,795.52
Nutrient balance	-67.97	80.22	-278.58	-761.67
Applied to removed ratio	0.75	1.91	0.47	0.73

Fresh water applied	
34,817,172.00	*gallons*
1,282.20	*acre-inches*
42.74	*inches/acre*

Process wastewater applied	
0.00	*gallons*
0.00	*acre-inches*
0.00	*inches/acre*

Total harvests for the crop	
1	*harvests*

3 & 4 - 11/01/2007: Pasture

Field name: 3 & 4 Crop: Pasture Plant date: 11/01/2007

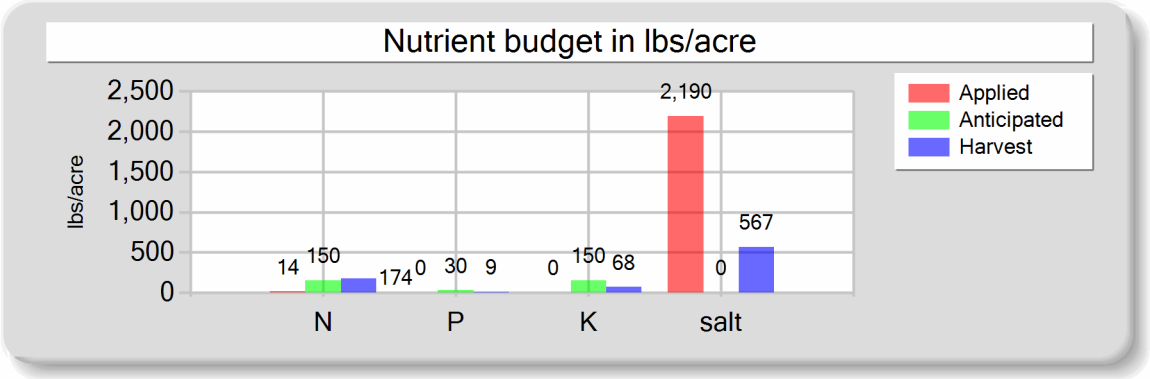

	Total N (lbs/acre)	Total P (lbs/acre)	Total K (lbs/acre)	Total salt (lbs/acre)
Existing soil nutrient content	0.00	0.00	0.00	0.00
Plowdown credit	0.00	0.00	0.00	0.00
Commercial fertilizer / Other	0.00	0.00	0.00	0.00
Dry manure	0.00	0.00	0.00	0.00
Process wastewater	0.00	0.00	0.00	0.00
Fresh water	0.00	0.00	0.00	2,189.65
Atmospheric deposition	14.00	0.00	0.00	0.00
Total nutrients applied	14.00	0.00	0.00	2,189.65
Anticipated crop nutrient removal	150.00	30.00	150.00	0.00
Actual crop nutrient removal	174.35	9.46	68.20	566.50
Nutrient balance	-160.35	-9.46	-68.20	1,623.15
Applied to removed ratio	0.08	0.00	0.00	3.87

Fresh water applied	
49,979,082.00	*gallons*
1,840.56	*acre-inches*
46.01	*inches/acre*

Process wastewater applied	
0.00	*gallons*
0.00	*acre-inches*
0.00	*inches/acre*

Total harvests for the crop	
1	*harvests*

NUTRIENT ANALYSES

A. MANURE ANALYSES

FGL Agricultural

Sample and source description: FGL Agricultural

Sample date: 10/21/2023 Material type: Separator solids Source of analysis: Lab analysis Method of reporting: Dry-weight

Moisture: 65.3 %

	Total N (mg/kg)	Total P (mg/kg)	Total K (mg/kg)	Calcium (mg/kg)	Magnesium (mg/kg)	Sodium (mg/kg)	Sulfur (mg/kg)	Chloride (mg/kg)	Total salt (mg/kg)	TFS (%)
Value	27,100.00	19,600.00	9,220.00							
DL	100.00	100.00	10.00							

FGL Agricultural

Sample and source description: FGL Agricultural

Sample date: 10/21/2023 Material type: Corral solids Source of analysis: Lab analysis Method of reporting: Dry-weight

Moisture: 47.5 %

	Total N (mg/kg)	Total P (mg/kg)	Total K (mg/kg)	Calcium (mg/kg)	Magnesium (mg/kg)	Sodium (mg/kg)	Sulfur (mg/kg)	Chloride (mg/kg)	Total salt (mg/kg)	TFS (%)
Value	25,000.00	20,900.00	30,300.00							
DL	100.00	100.00	100.00							

B. PROCESS WASTEWATER ANALYSES

FGL Agricultural

Sample and source description: FGL Agricultural

Sample date: 12/28/2023 Material type: Process wastewater Source of analysis: Lab analysis pH:

	Kjeldahl-N (mg/L)	NH4-N (mg/L)	NH3-N (mg/L)	Nitrate-N (mg/L)	Total P (mg/L)	Total K (mg/L)	Calcium (mg/L)	Magnes. (mg/L)	Sodium (mg/L)	Bicarb. (mg/L)	Carb. (mg/L)	Sulfate (mg/L)	Chloride (mg/L)	EC (µmhos/cm)	TDS (mg/L)
Value	390.00	230.00	0.00	0.00	62.30	1,150.00									4,280
DL	20.00	20.00	20.00	0.40	0.50	5.00									20

C. FRESH WATER ANALYSES

Irrigation District

FGL Agricultural

Sample description: FGL Agricultural

Sample date: 09/27/2023 Source of analysis: Lab analysis

	Total N (mg/L)	NH4-N (mg/L)	Nitrate-N (mg/L)	Calcium (mg/L)	Magnesium (mg/L)	Sodium (mg/L)	Bicarbonate (mg/L)	Carbonate (mg/L)	Sulfate (mg/L)	Chloride (mg/L)	EC (µmhos/cm)	TDS (mg/L)
Value	0.00	0.00	0.00								335.00	210
DL	0.50	0.50	0.50								1.00	20

D. SOIL ANALYSES

1 & 5

FGL Agricultural

Sample and source description: FGL Agricultural

Sample date: 12/29/2023 Source of analysis: Lab analysis

	Nitrate-N (mg/kg)	Total P (mg/kg)	Soluble P (mg/kg)	K (mg/kg)	EC (µmhos/cm)	Organic matter (%)	Total salt (mg/kg)
Value			152.00				
DL			2.00				

2

FGL Agricultural

Sample and source description: FGL Agricultural

Sample date: 12/28/2023 Source of analysis: Lab analysis

	Nitrate-N (mg/kg)	Total P (mg/kg)	Soluble P (mg/kg)	K (mg/kg)	EC (µmhos/cm)	Organic matter (%)	Total salt (mg/kg)
Value			174.00				
DL			3.90				

3 & 4

3 & 4

FGL Agricultural

Sample and source description: FGL Agricultural

Sample date: 12/28/2023 Source of analysis: Lab analysis

	Nitrate-N (mg/kg)	Total P (mg/kg)	Soluble P (mg/kg)	K (mg/kg)	EC (µmhos/cm)	Organic matter (%)	Total salt (mg/kg)
Value			21.00				
DL			2.00				

E. PLANT TISSUE ANALYSES

1 & 5 - 10/26/2022: Wheat, silage, boot stage

FGL Agricultural

Sample and source description: FGL Agricultural

Sample date: 05/30/2023 Source of analysis: Lab analysis Method of reporting: Dry-weight

Moisture: 65.2 %

	Total N (mg/kg)	Total P (mg/kg)	Total K (mg/kg)	Total salt (mg/kg)	TFS (%)
Value	9,400.00	2,620.00	11,500.00		11.90
DL	10.00	10.00	100.00		0.10

1 & 5 - 06/07/2023: Sudangrass, silage

FGL Agricultural

Sample and source description: FGL Agricultural

Sample date: 08/04/2023 Source of analysis: Lab analysis Method of reporting: Dry-weight

Moisture: 81.6 %

	Total N (mg/kg)	Total P (mg/kg)	Total K (mg/kg)	Total salt (mg/kg)	TFS (%)
Value	16,000.00	5,320.00	41,100.00		17.90
DL	100.00	10.00	100.00		0.10

2 - 10/26/2022: Wheat, silage, boot stage

FGL Agricultural

Sample and source description: FGL Agricultural

Sample date: 05/30/2023 Source of analysis: Lab analysis Method of reporting: Dry-weight

Moisture: 66.4 %

	Total N (mg/kg)	Total P (mg/kg)	Total K (mg/kg)	Total salt (mg/kg)	TFS (%)
Value	10,400.00	2,660.00	12,600.00		12.00
DL	100.00	10.00	199.00		0.10

2 - 06/07/2023: Sudangrass, silage

FGL Agricultural

Sample and source description: FGL Agricultural

Sample date: 10/12/2023 Source of analysis: Lab analysis Method of reporting: Dry-weight

Moisture: 68.0 %

	Total N (mg/kg)	Total P (mg/kg)	Total K (mg/kg)	Total salt (mg/kg)	TFS (%)
Value	16,600.00	5,290.00	31,400.00		16.80
DL	100.00	10.00	100.00		0.10

3 & 4 - 11/01/2007: Pasture

FGL Agricultural

Sample and source description: FGL Agricultural

Sample date: 12/28/2023 Source of analysis: Lab analysis Method of reporting: Dry-weight

Moisture: 72.5 %

	Total N (mg/kg)	Total P (mg/kg)	Total K (mg/kg)	Total salt (mg/kg)	TFS (%)
Value	31,700.00	1,720.00	12,400.00		10.30
DL	100.00	10.00	10.00		0.10

F. SUBSURFACE (TILE) DRAINAGE ANALYSES

No subsurface (tile) drainage analyses entered.

NUTRIENT APPLICATIONS, POTENTIAL REMOVAL, AND BALANCE

A. SUMMARY OF NUTRIENT APPLICATIONS, POTENTIAL REMOVAL, AND BALANCE

	Total N (lbs)	Total P (lbs)	Total K (lbs)	Total salt (lbs)
Existing soil nutrient content	0.00	0.00	0.00	0.00
Plowdown credit	0.00	0.00	0.00	0.00
Commercial fertilizer / Other	0.00	0.00	0.00	0.00
Dry manure	16,964.92	13,631.32	16,298.56	0.00
Process wastewater	0.00	0.00	0.00	0.00
Fresh water	0.00	0.00	0.00	216,577.50
Atmospheric deposition	1,400.00	0.00	0.00	0.00
Total nutrients applied	18,364.92	13,631.32	16,298.56	216,577.50
Anticipated crop nutrient removal	32,760.00	5,532.00	31,920.00	0.00
Actual crop nutrient removal	23,931.01	5,638.28	35,243.42	207,113.29
Nutrient balance	-5,566.08	7,993.05	-18,944.86	9,464.22
Applied to removed ratio	0.77	2.42	0.46	1.05

B. POUNDS OF NUTRIENT APPLIED VS. CROP REMOVAL

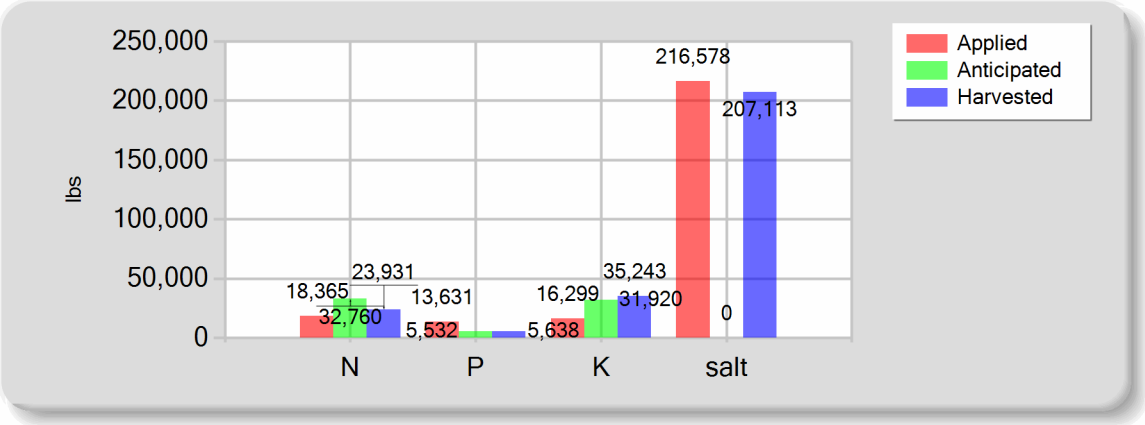

C. POUNDS OF NUTRIENT APPLIED BY MATERIAL TYPE

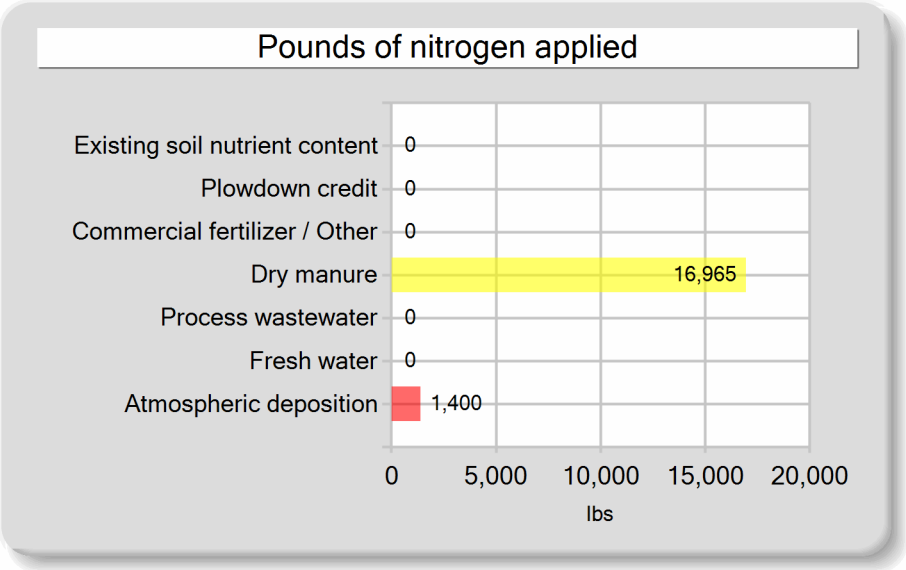

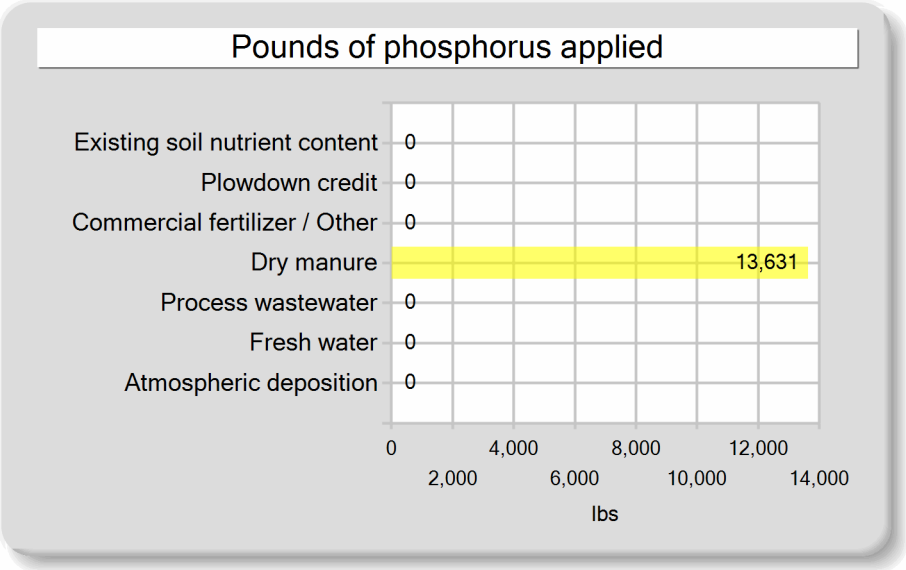

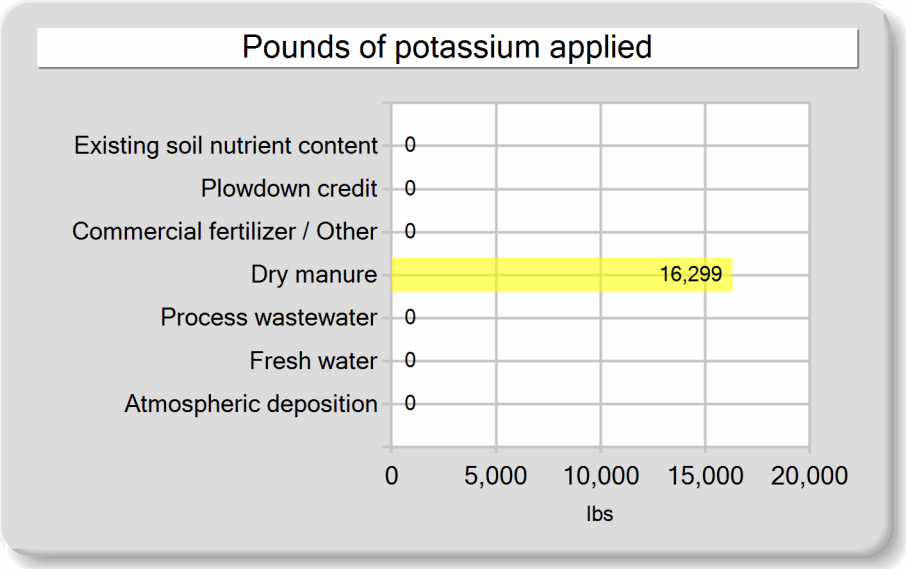

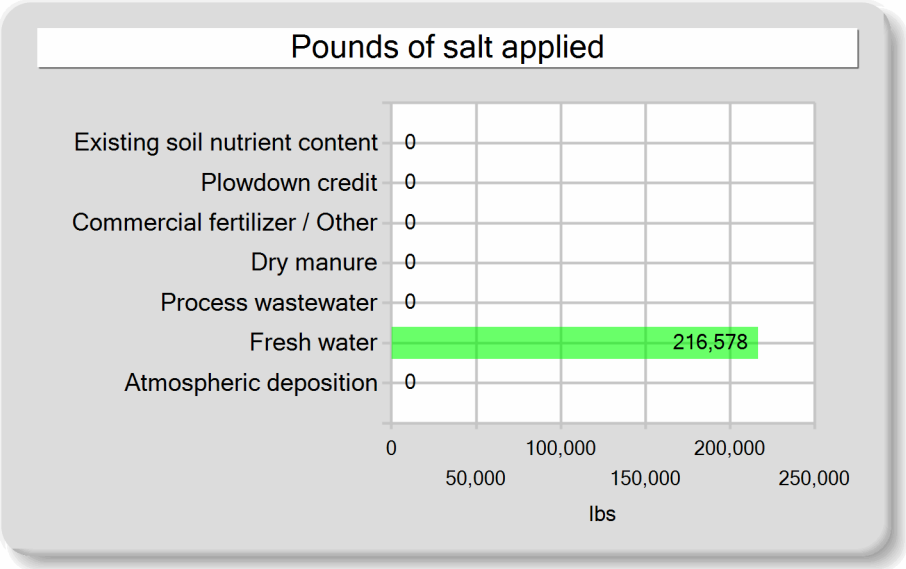

EXCEPTION REPORTING

A. MANURE, PROCESS WASTEWATER, AND OTHER DAIRY WASTE DISCHARGES

The following is a summary of all manure and process wastewater discharges from the production area to surface water or to land areas (land application areas or otherwise) when not in accordance with the facility's Nutrient Management Plan.

No manure or process wastewater discharges occurred during the reporting period.

B. STORM WATER DISCHARGES

The following is a summary of all storm water discharges from the production area to surface water during the reporting period when not in accordance with the facility 's Nutrient Management Plan.

No stormwater discharges occurred during the reporting period.

C. LAND APPLICATION AREA TO SURFACE WATER DISCHARGES

The following is a summary of all discharges from the land application area to surface water that have occurred during the reporting period when not in accordance with the facility's Nutrient Management Plan.

No land application area to surface water discharges occurred during the reporting period.

NUTRIENT MANAGEMENT PLAN AND EXPORT AGREEMENT STATEMENTS

A. NUTRIENT MANAGEMENT PLAN STATEMENTS

Was the facility's NMP updated in the reporting period?	No
Was the facility's NMP developed by a certified nutrient management planner (specialist) as specified in Attachment C of the General Order?	Yes
Was the facility's NMP approved by a certified nutrient management planner (specialist) as specified in Attachment C of the General Order?	Yes

B. EXPORT AGREEMENT STATEMENT

Are there any written agreements with third parties to receive manure or process wastewater that are new or were revised within the reporting period?	No

ADDITIONAL NOTES

A. NOTES

No notes entered for this annual report.

CERTIFICATION

A. OWNER AND/OR OPERATOR CERTIFICATION

I certify under penalty of law that I have personally examined and am familiar with the information submitted in this document and all attachments and that, based on my inquiry of those individuals immediately responsible for obtaining the information, I believe that the information is true, accurate, and complete. I am aware that there are significant penalties for submitting false information, including the possibility of fine and imprisonment.

SIGNATURE OF OWNER OF FACILITY	SIGNATURE OF OPERATOR OF FACILITY
Nick Beglinger	SAME AS OWNER
PRINT OR TYPE NAME	PRINT OR TYPE NAME
DATE	DATE

ATTACHMENTS

A. REQUIRED ATTACHMENTS

The following lists the required documents that should be attached to the Annual Report when submitted .

Annual Dairy Facility Assessment
Provide an Annual Dairy Facility Assessment (an update to the Preliminary Dairy Facility Assessment in Attachment A) for each reporting period. On the PDFA Final page, click on the ADFA Report button to generate an ADFA report after updating information as needed .

Manure/Process Wastewater Tracking Manifests
Provide copies of all manure/process wastewater tracking manifests for the reporting period, signed by both the owner/operator and the hauler.

Corrective Actions Documents
Provide records documenting any corrective actions taken to correct deficiencies noted as a result of the inspections required in the Monitoring Requirements of the General Order. Deficiencies not corrected in 30 days must be accompanied by an explanation of the factors preventing immediate correction.

Groundwater Monitoring
Dischargers that monitor supply wells or subsurface (tile) drainage systems, or that have monitoring well systems must submit monitoring results as directed in the General Order, Groundwater Reporting Section starting on page MRP-13.

Storm Water Monitoring
Dischargers that are required to monitor storm water more frequently than required in the General Order must submit monitoring results as directed in the General Order, Storm Water Reporting Section on page MRP-14.

Annual Report - General Order No. R5-2007-0035
Reporting period 01/01/2023 to 12/31/2023.

CERTIFICATION

A. OWNER AND/OR OPERATOR CERTIFICATION

I certify under penalty of law that I have personally examined and am familiar with the information submitted in this document and all attachments and that, based on my inquiry of those individuals immediately responsible for obtaining the information, I believe that the information is true, accurate, and complete. I am aware that there are significant penalties for submitting false information, including the possibility of fine and imprisonment.

SIGNATURE OF OWNER OF FACILITY	SIGNATURE OF OPERATOR OF FACILITY
Nick Beglinger	SAME AS OWNER
PRINT OR TYPE NAME	PRINT OR TYPE NAME
6-20-24	
DATE	DATE

tober 19, 2023

Beglinger Dairy
7329 County Road 16
Orland, CA 95963

Lab No. : CH 2378378-001
Customer No. : 7009195

Sampled On : September 27, 2023 at 18:40
Sampled By : Nick Beglinger
Received On : September 28, 2023 at 08:25
Matrix : Ag Water

Description : Canal Water
Project : Irrigation Water

Sample Results - Inorganic

Constituent	Result	RL	Units	Note	Dil.	DQF	Sample Preparation			Sample Analysis			
Dairy Analysis							Date	Time	Who	Method	Date	Time	Who
Nitrogen, Total Kjeldahl	ND	0.5	mg/L		1	Ul	10/06/2023	09:12	sta	EPA 351.2	10/10/2023	14:38	lcr
Nitrogen, Total as Nitrogen	ND	0.5	mg/L		1	Ul	10/06/2023	09:12	sta	Calc.	10/10/2023	14:38	lcr
Nitrate + Nitrite as N	ND	0.4	mg/L		1	U	09/29/2023	12:00	lfs	SM 4500-NO3 F	09/29/2023	14:21	lfs
Kjeldahl Nitrogen	ND	0.5	mg/L		1	Ul	10/06/2023	09:12	sta	EPA 351.2	10/10/2023	14:38	lcr
Conductivity	335	1	umhos/cm		1		10/19/2023	15:46	krh	SM 2510 B	10/19/2023	15:54	krh
Solids, Total Dissolved (TDS)	210	20	mg/L		1		10/02/2023	10:50	ctl	SM 2540 C	10/03/2023	11:00	ctl

DQF Flags Definition:
U Constituent results were non-detect.
l The MS/MSD did not meet QC criteria.

ND=Non-Detected, RL=Reporting Level , Dil.=Dilution

Corporate Offices & Laboratory
853 Corporation Street
Santa Paula, CA 93060
TEL: (805)392-2000
Env FAX: (805)525-4172 / Ag FAX: (805)392-2063
CA ELAP Certification No. 1573

Office & Laboratory
2500 Stagecoach Road
Stockton, CA 95215
TEL: (209)942-0182
FAX: (209)942-0423
CA ELAP Certification No. 1563

Office & Laboratory
563 E. Lindo Avenue
Chico, CA 95926
TEL: (530)343-5818
FAX: (530)343-3807
CA ELAP Certification No. 2670

Office & Laboratory
3442 Empresa Drive, Suite D
San Luis Obispo, CA 93401
TEL: (805)783-2940
FAX: (805)783-2912
CA ELAP Certification No. 2775

Office & Laboratory
9415 W. Goshen Avenue
Visalia, CA 93291
TEL: (559)734-9473
FAX: (559)734-8435
CA ELAP Certification No. 2

FGL ENVIRONMENTAL AGRICULTURAL
Analytical Chemists

Annual

CHAIN OF CUSTODY
www.fglinc.com

Laboratory Copy (1 of 3)

71595:01/03/2022

TEST DESCRIPTION - See Reverse side for Container, Preservative and Sampling information

Corp

Client: Beglinger Dairy
Address: 7329 County Road 16
Orland, CA 95963

Phone: (530)865-8031 Fax:
Contact Person: Nick Beglinger
Project Name: **Irrigation Water**
Purchase Order Number:
Quote Number: STK20160224-01

Sampler(s) Nick Beglinger

Sampling Fee: _____ Pickup Fee: _____
Compositor Setup Date: __/__/__ Time: __/__

Lab Number: CH 23783578 7-9195

Samp Num	Location Description	Date Sampled	Time Sampled	Method of Sampling: Composite(C) Grab(G)	Type of Sample **SEE REVERSE SIDE**	Potable(P) Non-Potable(NP) Ag Water(AgW)	Bacti Type: Other(O) System(SYS) Source(SR) Waste(W)	Bacti Reason: Routine(ROUT) Repeat(RPT) Replace(RPL) Other(O) Special(SPL)	Dairy Analysis- IW1 (One event per season on all LAA) Conductivity,Total N,TDS 16oz(P)-H2SO4 , 16oz(P)	Sampling Directive- IW1: Record volume[2] and source[1] of irrigation water applied and dates applied. In lieu of sampling the irrigation water, the Discharger may provide equivalent data from the local irrigation district.							
1	Canal Water	9/27	18:40	G	AgW				1,1	X							

Remarks:
1.] The Discharger shall monitor irrigation water (from each water well source and canal) that is used on all land application areas(LAA).
2.] Initial volume measurements (gallons or acre-inches) may be the total volume for all land application areas.

Relinquished	Date:	Time:	Relinquished	Date:	Time:	Relinquished	Date:	Time:
Nick	9/27	1848	[illegible]	9/28	825	GLS	9/29/23	1215
Received By:	**Date:**	**Time:**	**Received By:**	**Date:**	**Time:**	**Received By:**	**Date:**	**Time:**
HDO	/	/	[illegible]	/	/	MC	/	/

Corporate Offices & Laboratory
853 Corporation Street
Santa Paula, CA 93060
Phone: (805) 392-2000
Env Fax: (805) 525-4172 / Ag Fax: (805) 392-2063

Office & Laboratory
2500 Stagecoach Road
Stockton, CA 95215
Phone: (209) 942-0182
Fax: (209) 942-0423

Office & Laboratory
563 E. Lindo
Chico, CA 95926
Phone: (530) 343-5818
Fax: (530) 343-3807

Office & Laboratory
3442 Empresa Drive, Suite D
San Luis Obispo, CA 93401
Phone: (805) 783-2940
Fax: (805) 783-2912

Office & Laboratory
9415 W. Goshen Avenue
Visalia, CA 93291
Phone: (559) 734-9473
Fax: (559) 734-8435

nuary 12, 2024

Beglinger Dairy
7329 County Road 16
Orland, CA 95963

Description : 7329
Project : Domestic and Agricultural Supply Wells

Lab No. : CH 2390868-002
Customer No. : 7009195

Sampled On : December 27, 2023 at 18:45
Sampled By : Nick Beglinger
Received On : December 28, 2023 at 07:25
Matrix : Ground Water

Sample Results - Inorganic

Constituent	Result	RL	Units	Note	Dil.	DQF	Sample Preparation			Sample Analysis			
							Date	Time	Who	Method	Date	Time	Who
Dairy Analysis													
Ammonia-N	ND	0.2	mg/L		1	U	01/07/2024	18:40	lcr	SM 4500-NH3 G	01/07/2024	21:21	lcr
Nitrate Nitrogen	3.0	0.4	mg/L		1		01/05/2024	09:00	lfs	SM 4500-NO3 F	01/05/2024	12:22	lfs

DQF Flags Definition:
U Constituent results were non-detect.

ND=Non-Detected, RL=Reporting Level , Dil.=Dilution

Page 3 of 4

Corporate Offices & Laboratory
853 Corporation Street
Santa Paula, CA 93060
TEL: (805)392-2000
Env FAX: (805)525-4172 / Ag FAX: (805)392-2063
CA ELAP Certification No. 1573

Office & Laboratory
2500 Stagecoach Road
Stockton, CA 95215
TEL: (209)942-0182
FAX: (209)942-0423
CA ELAP Certification No. 1563

Office & Laboratory
563 E. Lindo Avenue
Chico, CA 95926
TEL: (530)343-5818
FAX: (530)343-3807
CA ELAP Certification No. 2670

Office & Laboratory
3442 Empresa Drive, Suite D
San Luis Obispo, CA 93401
TEL: (805)783-2940
FAX: (805)783-2912
CA ELAP Certification No. 2775

Office & Laboratory
9415 W. Goshen Avenue
Visalia, CA 93291
TEL: (559)734-9473
FAX: (559)734-8435
CA ELAP Certification No.

ıuary 12, 2024

Beglinger Dairy
7329 County Road 16
Orland, CA 95963

Description : 7320
Project : Domestic and Agricultural Supply Wells

Lab No. : CH 2390868-001
Customer No. : 7009195

Sampled On : December 27, 2023 at 18:30
Sampled By : Nick Beglinger
Received On : December 28, 2023 at 07:25
Matrix : Ground Water

Sample Results - Inorganic

Constituent	Result	RL	Units	Note	Dil.	DQF	Sample Preparation			Sample Analysis			
							Date	Time	Who	Method	Date	Time	Who
Dairy Analysis													
Ammonia-N	ND	0.2	mg/L		1	U	01/07/2024	18:40	lcr	SM 4500-NH3 G	01/07/2024	21:19	lcr
Nitrate Nitrogen	2.4	0.4	mg/L		1		01/05/2024	09:00	lfs	SM 4500-NO3 F	01/05/2024	12:20	lfs

DQF Flags Definition:
U Constituent results were non-detect.

ND=Non-Detected, RL=Reporting Level , Dil.=Dilution

Page 2 of 4

Corporate Offices & Laboratory
853 Corporation Street
Santa Paula, CA 93060
TEL: (805)392-2000
Env FAX: (805)525-4172 / Ag FAX: (805)392-2063
CA ELAP Certification No. 1573

Office & Laboratory
2500 Stagecoach Road
Stockton, CA 95215
TEL: (209)942-0182
FAX: (209)942-0423
CA ELAP Certification No. 1563

Office & Laboratory
563 E. Lindo Avenue
Chico, CA 95926
TEL: (530)343-5818
FAX: (530)343-3807
CA ELAP Certification No. 2670

Office & Laboratory
3442 Empresa Drive, Suite D
San Luis Obispo, CA 93401
TEL: (805)783-2940
FAX: (805)783-2912
CA ELAP Certification No. 2775

Office & Laboratory
9415 W. Goshen Avenue
Visalia, CA 93291
TEL: (559)734-9473
FAX: (559)734-8435
CA ELAP Certification No. 2

FGL ENVIRONMENTAL AGRICULTURAL
Analytical Chemists

Annual

CHAIN OF CUSTODY
www.fglinc.com
Laboratory Copy (1 of 2)

Client: **Beglinger Dairy**
Address: 7329 County Road 16
Orland, CA 95963

Phone: (530)865-8031 Fax:
Contact Person: Nick Beglinger
Project Name: **Domestic & Ag Supply Wells**
Purchase Order Number:
Quote Number: **STK20160224-01**

Sampler(s) Nick Beglinger
Sampling Fee: _____ Pickup Fee: _____
Compositor Setup Date: __/__/__ Time: __/__

Lab Number: **CH** 23908868 7-9195

71600:01/01/2024

TEST DESCRIPTION - See Reverse side for Container, Preservative and Sampling information

Corp

Method of Sampling: Composite(C) Grab(G)
Type of Sample **SEE REVERSE SIDE**
Potable(P) Non-Potable(NP) Ag Water(AgW)
Bacti Type: Other(O) System(SYS) Source(SR) Waste(W)
Bacti Reason: Routine(ROUT) Repeat(RPT) Replace(RPL) Other(O) Special(SPL)
Field Test- DAW (Anually) Field E.C.
Field Test- DAW (Anually) Field NH3-N
Dairy Analysis- DAW1 (Anually) NO3-N 8oz(P)
Dairy Analysis- DAW1 (Only if detected[1] in field) NH3-N 16oz(P)-H2SO4
Sampling Directive- DAW1: Sample NO3-N each year with field tests and if field measurement indicates the presence of NH3-N then a laboratory sample of NH3-N analysis is required. See [1] in Remarks below.

Samp Num	Location Description	Date Sampled	Time Sampled	Method of Sampling	Type of Sample	Potable(P)	Bacti Type	Bacti Reason	Field Test- DAW (Anually) Field E.C.	Field Test- DAW (Anually) Field NH3-N	Dairy Analysis- DAW1 (Anually) NO3-N 8oz(P)	Dairy Analysis- DAW1 (Only if detected[1] in field) NH3-N 16oz(P)-H2SO4	Sampling Directive- DAW1			
1	7320	12/27	6:30	G	GW						1	1	X			
2	7329	12/27	6:45	G	GW						1	1	X			

Remarks:
Domestic and Agricultural Supply Wells
1.] If field measurement indicates the presence of ammonium nitrogen, the discharger shall collect a sample for laboratory analysis of ammonium nitrogen.

Relinquished	Date:	Time:	Relinquished	Date:	Time:	Relinquished	Date:	Time:
[illegible]	12/28	7:25	[illegible]	12/28	1700	GLS	12/29/23	10:40
Received By:	**Date:**	**Time:**	**Received By:**	**Date:**	**Time:**	**Received By:**	**Date:**	**Time:**
HDO	↓	↓	GLS	↓	↓	[illegible]	↓	↓

Corporate Offices & Laboratory
853 Corporation Street
Santa Paula, CA 93060
Phone: (805) 392-2000
Env Fax: (805) 525-4172 / Ag Fax: (805) 392-2063

Office & Laboratory
2500 Stagecoach Road
Stockton, CA 95215
Phone: (209) 942-0182
Fax: (209) 942-0423

Office & Laboratory
563 E. Lindo
Chico, CA 95926
Phone: (530) 343-5818
Fax: (530) 343-3807

Office & Laboratory
3442 Empresa Drive, Suite D
San Luis Obispo, CA 93401
Phone: (805) 783-2940
Fax: (805) 783-2912

Office & Laboratory
9415 W. Goshen Avenue
Visalia, CA 93291
Phone: (559) 734-9473
Fax: (559) 734-8435