Annual Report - General Order No. R5-2007-0035
Reporting period 01/01/2023 to 12/31/2023.

DAIRY FACILITY INFORMATION

A. NAME OF DAIRY OR BUSINESS OPERATING THE DAIRY: Vierra Dairy Farms #4

Physical address of dairy:

7965 Washington RD	Hilmar	Merced	95324
Number and Street	City	County	Zip Code

Street and nearest cross street (if no address):

Date facility was originally placed in operation: 01/01/1880

Regional Water Quality Control Board Basin Plan designation: San Joaquin River Basin

County Assessor Parcel Number(s) for dairy facility:

XX45-X190-XX67-XXXX

B. OPERATORS

Vierra Dairy LLC #4

Operator name: Vierra Dairy LLC #4 Telephone no.: (209) 668-0343 (Landline) (Cellular)

P.O. Box 1350	Hilmar	CA	95324
Mailing Address Number and Street	City	State	Zip Code

This operator is responsible for paying permit fees.

C. OWNERS

Branco, Joe & Cathy

Legal owner name: Branco, Joe & Cathy Telephone no.: (209) 495-8073 (Landline) (Cellular)

P.O. Box 666	Hilmar	CA	95324
Mailing Address Number and Street	City	State	Zip Code

Annual Report - General Order No. R5-2007-0035
Reporting period 01/01/2023 to 12/31/2023.

AVAILABLE NUTRIENTS

A. HERD INFORMATION

	Milk Cows	Dry Cows	Bred Heifers (15-24 mo.)	Heifers (7-14 mo. to breeding)	Calves (4-6 mo.)	Calves (0-3 mo.)
Number open confinement	0	0	0	150	0	0
Number under roof	0	502	268	108	0	0
Maximum number	0	502	268	258	0	0
Average number	0	502	268	258	0	0
Avg live weight (lbs)	0	1,500	1,100	800		

Predominant milk cow breed: Holstein

Average milk production: 72 *pounds per cow per day*

B. MANURE GENERATED

Total manure excreted by the herd: 12,852.37 *tons per reporting period*

Total nitrogen from manure: 141,532.40 *lbs per reporting period*

After ammonia losses (30% loss applied): 99,072.68 *lbs per reporting period*

Total phosphorus from manure: 20,540.74 *lbs per reporting period*

Total potassium from manure: 1.00 *lbs per reporting period*

Total salt from manure: 115,434.90 *lbs per reporting period*

C. PROCESS WASTEWATER GENERATED

Process wastewater generated: 5,676,000 *gallons*

Total nitrogen generated: 25,455.19 *lbs*

Total phosphorus generated: 2,130.04 *lbs*

Total potassium generated: 36,310.16 *lbs*

Total salt generated: 328,887.80 *lbs*

	5,676,000	*gallons applied*
+	0	*gallons exported*
-	0	*gallons imported*
=	5,676,000	*gallons generated*

D. FRESH WATER SOURCES

Source Description	Type
T.I.D Canal	Surface water

E. SUBSURFACE (TILE) DRAINAGE SOURCES

No subsurface (tile) drainage sources entered.

F. NUTRIENT IMPORTS

No dry manure nutrient imports entered.

No process wastewater nutrient imports entered.

No commercial or other nutrient imports entered.

G. NUTRIENT EXPORTS

Date	Material type	Quantity	Reporting basis	Moisture (%)	Density (lbs/cu ft)	N (mg/kg)	P (mg/kg)	K (mg/kg)	Salt (mg/kg)	TFS (%)
05/16/2023	Separator solids	1,700.00 *ton*	Dry-weight	85.0		20,000.00	8,700.00	6,500.00		16.90
05/22/2023	Separator solids	350.00 *ton*	Dry-weight	85.0		20,000.00	8,700.00	6,500.00		16.90
10/07/2023	Separator solids	2,000.00 *ton*	Dry-weight	75.3		8,700.00	2,800.00	4,300.00		7.50

No liquid nutrient exports entered.

Material type	Total N (lbs)	Total P (lbs)	Total K (lbs)	Total salt (lbs)
Dry manure	20,895.60	8,116.90	8,245.90	178,035.00
Process wastewater	0.00	0.00	0.00	0.00
Total exports for all materials	20,895.60	8,116.90	8,245.90	178,035.00

APPLICATION AREA

A. LIST OF LAND APPLICATION AREAS

Field name	Controlled acres	Cropable acres	Total harvests	Type of waste applied	Parcel number
B37	37	37	2	process wastewater	XX45-X190-XX67-XXXX XX45-X190-XX68-XXXX
B38	12	12	2	process wastewater	XX45-X190-XX51-XXXX XX45-X190-XX67-XXXX
Totals for areas that were used for application	49	49	4		
Totals for areas that were not used for application					
Land application area totals	49	49	4		

B. CROPS AND HARVESTS

B37

Field name: B37

11/11/2022: Oats, silage-soft dough

Crop: Oats, silage-soft dough Acres planted: 37 Plant date: 11/11/2022

Harvest date	Yield	Reporting basis	Density (lbs/cu ft)	Moisture (%)	N (mg/kg)	P (mg/kg)	K (mg/kg)	Salt (mg/kg)	TFS (%)
05/02/2023	620.12 *ton*	As-is		73.0	4,900.00	900.00	5,500.00		8.71

	Yield (tons/acre)	Total N (lbs/acre)	Total P (lbs/acre)	Total K (lbs/acre)	Salt (lbs/acre)
Anticipated harvest content	16.00	160.00	25.60	132.80	0.00
Total actual harvest content	16.76	164.25	30.17	184.36	788.29

07/11/2023: Corn, silage

Crop: Corn, silage Acres planted: 37 Plant date: 07/11/2023

Harvest date	Yield	Reporting basis	Density (lbs/cu ft)	Moisture (%)	N (mg/kg)	P (mg/kg)	K (mg/kg)	Salt (mg/kg)	TFS (%)
10/20/2023	812.15 *ton*	As-is		62.0	4,600.00	500.00	6,100.00		9.20

	Yield (tons/acre)	Total N (lbs/acre)	Total P (lbs/acre)	Total K (lbs/acre)	Salt (lbs/acre)
Anticipated harvest content	30.00	240.00	45.00	198.00	0.00
Total actual harvest content	21.95	201.94	21.95	267.79	1,534.74

B38

Field name: B38

11/11/2022: Oats, silage-soft dough

Crop: Oats, silage-soft dough Acres planted: 12 Plant date: 11/11/2022

Harvest date	Yield	Reporting basis	Density (lbs/cu ft)	Moisture (%)	N (mg/kg)	P (mg/kg)	K (mg/kg)	Salt (mg/kg)	TFS (%)
05/02/2023	255.72 *ton*	As-is		70.8	4,700.00	1,000.00	5,700.00		13.00

	Yield (tons/acre)	Total N (lbs/acre)	Total P (lbs/acre)	Total K (lbs/acre)	Salt (lbs/acre)
Anticipated harvest content	16.00	160.00	25.60	132.80	0.00
Total actual harvest content	21.31	200.31	42.62	242.93	1,617.86

07/11/2023: Corn, silage

Crop: Corn, silage Acres planted: 12 Plant date: 07/11/2023

Harvest date	Yield	Reporting basis	Density (lbs/cu ft)	Moisture (%)	N (mg/kg)	P (mg/kg)	K (mg/kg)	Salt (mg/kg)	TFS (%)
10/20/2023	250.80 *ton*	As-is		66.8	5,500.00	600.00	4,700.00		8.70

	Yield (tons/acre)	Total N (lbs/acre)	Total P (lbs/acre)	Total K (lbs/acre)	Salt (lbs/acre)
Anticipated harvest content	30.00	240.00	45.00	198.00	0.00
Total actual harvest content	20.90	229.90	25.08	196.46	1,207.35

NUTRIENT BUDGET

A. LAND APPLICATIONS

B37 - 11/11/2022: Oats, silage-soft dough

Field name: B37

Crop: Oats, silage-soft dough

Plant date: 11/11/2022

Application date	Application method	Precipitation 24 hours prior	Precipitation during application	Precipitation 24 hours following
12/30/2022	Surface (irrigation)	No precipitation	No precipitation	No precipitation

Source description	Material type	N (lbs/acre)	P (lbs/acre)	K (lbs/acre)	Salt (lbs/acre)	Amount
WWS	Process wastewater	48.52	6.61	57.19	489.12	432,000.00 *gal*
Application event totals		48.52	6.61	57.19	489.12	

01/16/2023	Surface (irrigation)	No precipitation	No precipitation	No precipitation

Source description	Material type	N (lbs/acre)	P (lbs/acre)	K (lbs/acre)	Salt (lbs/acre)	Amount
WWS	Process wastewater	52.44	7.34	66.76	347.08	336,000.00 *gal*
Application event totals		52.44	7.34	66.76	347.08	

02/01/2023	Surface (irrigation)	No precipitation	No precipitation	No precipitation

Source description	Material type	N (lbs/acre)	P (lbs/acre)	K (lbs/acre)	Salt (lbs/acre)	Amount
WWS	Process wastewater	43.08	6.03	54.84	285.10	276,000.00 *gal*
Application event totals		43.08	6.03	54.84	285.10	

02/22/2023	Surface (irrigation)	No precipitation	No precipitation	No precipitation

Source description	Material type	N (lbs/acre)	P (lbs/acre)	K (lbs/acre)	Salt (lbs/acre)	Amount
WWS	Process wastewater	44.95	6.29	57.23	297.50	288,000.00 *gal*
Application event totals		44.95	6.29	57.23	297.50	

03/18/2023	Surface (irrigation)	No precipitation	No precipitation	No precipitation

Source description	Material type	N (lbs/acre)	P (lbs/acre)	K (lbs/acre)	Salt (lbs/acre)	Amount
WWS	Process wastewater	28.09	3.93	35.77	185.94	180,000.00 *gal*
Application event totals		28.09	3.93	35.77	185.94	

B37 - 11/11/2022: Oats, silage-soft dough

Application date	Application method	Precipitation 24 hours prior	Precipitation during application	Precipitation 24 hours following
04/18/2023	Surface (irrigation)	No precipitation	No precipitation	No precipitation

Source description	Material type	N (lbs/acre)	P (lbs/acre)	K (lbs/acre)	Salt (lbs/acre)	Amount
T.I.D Canal	Surface water	0.00	0.00	0.00	305.55	6,461,100.00 *gal*
Application event totals		0.00	0.00	0.00	305.55	

B37 - 07/11/2023: Corn, silage

Field name: B37

Crop: Corn, silage

Plant date: 07/11/2023

Application date	Application method	Precipitation 24 hours prior	Precipitation during application	Precipitation 24 hours following
07/11/2023	Surface (irrigation)	No precipitation	No precipitation	No precipitation

Source description	Material type	N (lbs/acre)	P (lbs/acre)	K (lbs/acre)	Salt (lbs/acre)	Amount
T.I.D Canal	Surface water	0.00	0.00	0.00	521.73	11,015,402.00 *gal*
Application event totals		0.00	0.00	0.00	521.73	

08/05/2023	Surface (irrigation)	No precipitation	No precipitation	No precipitation

Source description	Material type	N (lbs/acre)	P (lbs/acre)	K (lbs/acre)	Salt (lbs/acre)	Amount
WWS	Process wastewater	79.57	3.77	122.77	1,312.10	720,000.00 *gal*
T.I.D Canal	Surface water	0.00	0.00	0.00	219.65	4,637,557.00 *gal*
Application event totals		79.57	3.77	122.77	1,531.76	

08/18/2023	Surface (irrigation)	No precipitation	No precipitation	No precipitation

Source description	Material type	N (lbs/acre)	P (lbs/acre)	K (lbs/acre)	Salt (lbs/acre)	Amount
WWS	Process wastewater	68.96	3.27	106.40	1,137.16	624,000.00 *gal*
T.I.D Canal	Surface water	0.00	0.00	0.00	247.13	5,217,659.00 *gal*
Application event totals		68.96	3.27	106.40	1,384.28	

B37 - 07/11/2023: Corn, silage

Application date	Application method	Precipitation 24 hours prior	Precipitation during application	Precipitation 24 hours following
08/30/2023	Surface (irrigation)	No precipitation	No precipitation	No precipitation

Source description	Material type	N (lbs/acre)	P (lbs/acre)	K (lbs/acre)	Salt (lbs/acre)	Amount
WWS	Process wastewater	59.68	2.83	92.07	984.08	540,000.00 *gal*
T.I.D Canal	Surface water	0.00	0.00	0.00	219.65	4,637,557.00 *gal*
Application event totals		59.68	2.83	92.07	1,203.73	

09/10/2023	Surface (irrigation)	No precipitation	No precipitation	No precipitation

Source description	Material type	N (lbs/acre)	P (lbs/acre)	K (lbs/acre)	Salt (lbs/acre)	Amount
WWS	Process wastewater	42.44	2.01	65.48	699.79	384,000.00 *gal*
T.I.D Canal	Surface water	0.00	0.00	0.00	219.65	4,637,557.00 *gal*
Application event totals		42.44	2.01	65.48	919.44	

09/26/2023	Surface (irrigation)	No precipitation	No precipitation	No precipitation

Source description	Material type	N (lbs/acre)	P (lbs/acre)	K (lbs/acre)	Salt (lbs/acre)	Amount
WWS	Process wastewater	49.07	2.32	75.71	809.13	444,000.00 *gal*
T.I.D Canal	Surface water	0.00	0.00	0.00	233.39	4,927,608.00 *gal*
Application event totals		49.07	2.32	75.71	1,042.52	

B38 - 11/11/2022: Oats, silage-soft dough

Field name: B38

Crop: Oats, silage-soft dough Plant date: 11/11/2022

Application date	Application method	Precipitation 24 hours prior	Precipitation during application	Precipitation 24 hours following
12/31/2022	Surface (irrigation)	No precipitation	No precipitation	No precipitation

Source description	Material type	N (lbs/acre)	P (lbs/acre)	K (lbs/acre)	Salt (lbs/acre)	Amount
WWS	Process wastewater	62.34	8.49	73.48	628.38	180,000.00 *gal*
Application event totals		62.34	8.49	73.48	628.38	

B38 - 11/11/2022: Oats, silage-soft dough

Application date	Application method	Precipitation 24 hours prior	Precipitation during application	Precipitation 24 hours following
01/17/2023	Surface (irrigation)	No precipitation	No precipitation	No precipitation

Source description	Material type	N (lbs/acre)	P (lbs/acre)	K (lbs/acre)	Salt (lbs/acre)	Amount
WWS	Process wastewater	23.10	3.23	29.41	152.88	48,000.00 *gal*
Application event totals		23.10	3.23	29.41	152.88	

02/02/2023	Surface (irrigation)	No precipitation	No precipitation	No precipitation

Source description	Material type	N (lbs/acre)	P (lbs/acre)	K (lbs/acre)	Salt (lbs/acre)	Amount
WWS	Process wastewater	40.42	5.65	51.46	267.54	84,000.00 *gal*
Application event totals		40.42	5.65	51.46	267.54	

02/23/2023	Surface (irrigation)	No precipitation	No precipitation	No precipitation

Source description	Material type	N (lbs/acre)	P (lbs/acre)	K (lbs/acre)	Salt (lbs/acre)	Amount
WWS	Process wastewater	46.20	6.46	58.82	305.76	96,000.00 *gal*
Application event totals		46.20	6.46	58.82	305.76	

04/18/2023	Surface (irrigation)	No precipitation	No precipitation	No precipitation

Source description	Material type	N (lbs/acre)	P (lbs/acre)	K (lbs/acre)	Salt (lbs/acre)	Amount
WWS	Process wastewater	49.07	2.32	75.71	809.13	144,000.00 *gal*
T.I.D Canal	Surface water	0.00	0.00	0.00	220.83	1,512,176.00 *gal*
Application event totals		49.07	2.32	75.71	1,029.97	

B38 - 07/11/2023: Corn, silage

Field name: B38

Crop: Corn, silage

Plant date: 07/11/2023

Application date	Application method	Precipitation 24 hours prior	Precipitation during application	Precipitation 24 hours following
07/12/2023	Surface (irrigation)	No precipitation	No precipitation	No precipitation

Source description	Material type	N (lbs/acre)	P (lbs/acre)	K (lbs/acre)	Salt (lbs/acre)	Amount
T.I.D Canal	Surface water	0.00	0.00	0.00	440.64	3,017,321.00 *gal*
Application event totals		0.00	0.00	0.00	440.64	

B38 - 07/11/2023: Corn, silage

Application date	Application method	Precipitation 24 hours prior	Precipitation during application	Precipitation 24 hours following
08/05/2023	Surface (irrigation)	No precipitation	No precipitation	No precipitation

Source description	Material type	N (lbs/acre)	P (lbs/acre)	K (lbs/acre)	Salt (lbs/acre)	Amount
WWS	Process wastewater	94.05	4.45	145.10	1,550.83	276,000.00 *gal*
T.I.D Canal	Surface water	0.00	0.00	0.00	326.42	2,235,161.00 *gal*
Application event totals		94.05	4.45	145.10	1,877.25	

08/19/2023	Surface (irrigation)	No precipitation	No precipitation	No precipitation

Source description	Material type	N (lbs/acre)	P (lbs/acre)	K (lbs/acre)	Salt (lbs/acre)	Amount
WWS	Process wastewater	65.42	3.10	100.94	1,078.84	192,000.00 *gal*
T.I.D Canal	Surface water	0.00	0.00	0.00	196.09	1,342,708.00 *gal*
Application event totals		65.42	3.10	100.94	1,274.93	

08/31/2023	Surface (irrigation)	No precipitation	No precipitation	No precipitation

Source description	Material type	N (lbs/acre)	P (lbs/acre)	K (lbs/acre)	Salt (lbs/acre)	Amount
WWS	Process wastewater	61.34	2.90	94.63	1,011.41	180,000.00 *gal*
T.I.D Canal	Surface water	0.00	0.00	0.00	288.34	1,974,441.00 *gal*
Application event totals		61.34	2.90	94.63	1,299.76	

09/10/2023	Surface (irrigation)	No precipitation	No precipitation	No precipitation

Source description	Material type	N (lbs/acre)	P (lbs/acre)	K (lbs/acre)	Salt (lbs/acre)	Amount
WWS	Process wastewater	36.80	1.74	56.78	606.85	108,000.00 *gal*
T.I.D Canal	Surface water	0.00	0.00	0.00	142.30	974,441.00 *gal*
Application event totals		36.80	1.74	56.78	749.15	

09/27/2023	Surface (irrigation)	No precipitation	No precipitation	No precipitation

Source description	Material type	N (lbs/acre)	P (lbs/acre)	K (lbs/acre)	Salt (lbs/acre)	Amount
WWS	Process wastewater	49.07	2.32	75.71	809.13	144,000.00 *gal*
T.I.D Canal	Surface water	0.00	0.00	0.00	257.01	1,759,860.00 *gal*
Application event totals		49.07	2.32	75.71	1,066.14	

B. NUTRIENT BUDGET

B37 - 11/11/2022: Oats, silage-soft dough

Field name: B37 Crop: Oats, silage-soft dough Plant date: 11/11/2022

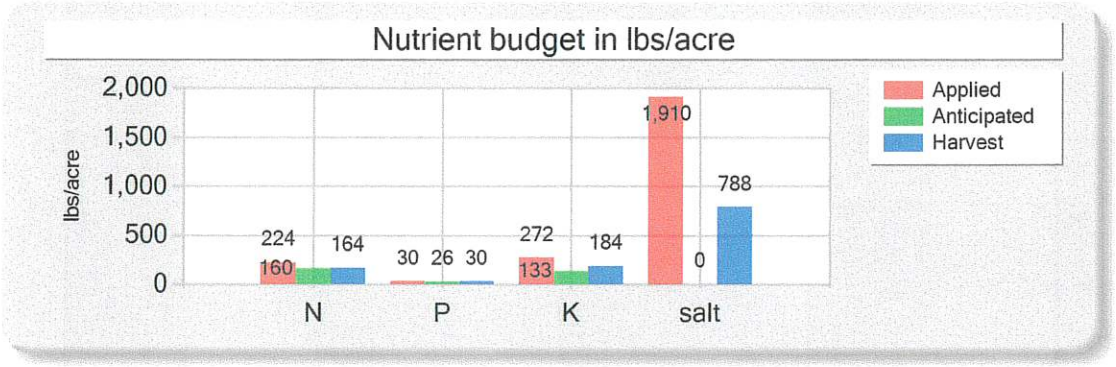

	Total N (lbs/acre)	Total P (lbs/acre)	Total K (lbs/acre)	Total salt (lbs/acre)
Existing soil nutrient content	0.00	0.00	0.00	0.00
Plowdown credit	0.00	0.00	0.00	0.00
Commercial fertilizer / Other	0.00	0.00	0.00	0.00
Dry manure	0.00	0.00	0.00	0.00
Process wastewater	217.08	30.18	271.79	1,604.73
Fresh water	0.00	0.00	0.00	305.55
Atmospheric deposition	7.00	0.00	0.00	0.00
Total nutrients applied	224.08	30.18	271.79	1,910.28
Anticipated crop nutrient removal	160.00	25.60	132.80	0.00
Actual crop nutrient removal	164.25	30.17	184.36	788.29
Nutrient balance	59.83	0.02	87.43	1,121.99
Applied to removed ratio	1.36	1.00	1.47	2.42

Fresh water applied
6,451,100.00 *gallons*
237.57 *acre-inches*
6.42 *inches/acre*

Process wastewater applied
1,512,000.00 *gallons*
55.68 *acre-inches*
1.50 *inches/acre*

Total harvests for the crop
1 *harvests*

B37 - 07/11/2023: Corn, silage

Field name: B37 Crop: Corn, silage Plant date: 07/11/2023

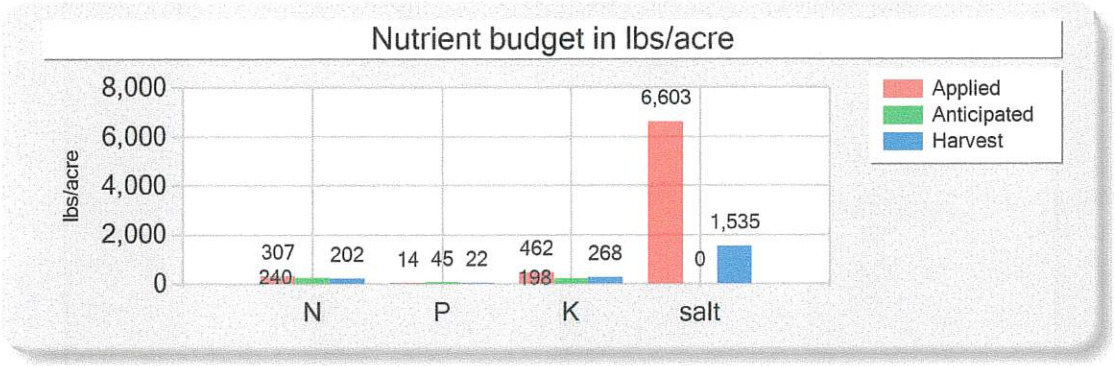

	Total N (lbs/acre)	Total P (lbs/acre)	Total K (lbs/acre)	Total salt (lbs/acre)
Existing soil nutrient content	0.00	0.00	0.00	0.00
Plowdown credit	0.00	0.00	0.00	0.00
Commercial fertilizer / Other	0.00	0.00	0.00	0.00
Dry manure	0.00	0.00	0.00	0.00
Process wastewater	299.72	14.19	462.42	4,942.26
Fresh water	0.00	0.00	0.00	1,661.20
Atmospheric deposition	7.00	0.00	0.00	0.00
Total nutrients applied	306.72	14.19	462.42	6,603.46
Anticipated crop nutrient removal	240.00	45.00	198.00	0.00
Actual crop nutrient removal	201.94	21.95	267.79	1,534.74
Nutrient balance	104.78	-7.76	194.63	5,068.71
Applied to removed ratio	1.52	0.65	1.73	4.30

Fresh water applied
35,073,340.00 *gallons*
1,291.63 *acre-inches*
34.91 *inches/acre*

Process wastewater applied
2,712,000.00 *gallons*
99.87 *acre-inches*
2.70 *inches/acre*

Total harvests for the crop
1 *harvests*

B38 - 11/11/2022: Oats, silage-soft dough

Field name: B38 Crop: Oats, silage-soft dough Plant date: 11/11/2022

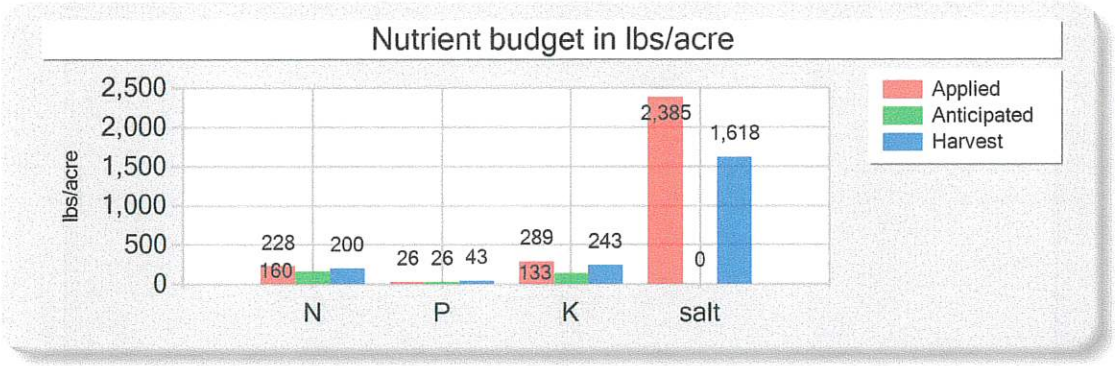

	Total N (lbs/acre)	Total P (lbs/acre)	Total K (lbs/acre)	Total salt (lbs/acre)
Existing soil nutrient content	0.00	0.00	0.00	0.00
Plowdown credit	0.00	0.00	0.00	0.00
Commercial fertilizer / Other	0.00	0.00	0.00	0.00
Dry manure	0.00	0.00	0.00	0.00
Process wastewater	221.13	26.16	288.87	2,163.69
Fresh water	0.00	0.00	0.00	220.83
Atmospheric deposition	7.00	0.00	0.00	0.00
Total nutrients applied	228.13	26.16	288.87	2,384.53
Anticipated crop nutrient removal	160.00	25.60	132.80	0.00
Actual crop nutrient removal	200.31	42.62	242.93	1,617.86
Nutrient balance	27.81	-16.46	45.94	766.67
Applied to removed ratio	1.14	0.61	1.19	1.47

Fresh water applied
1,512,176.00 *gallons*
55.69 *acre-inches*
4.64 *inches/acre*

Process wastewater applied
552,000.00 *gallons*
20.33 *acre-inches*
1.69 *inches/acre*

Total harvests for the crop
1 *harvests*

B38 - 07/11/2023: Corn, silage

Field name: B38 Crop: Corn, silage Plant date: 07/11/2023

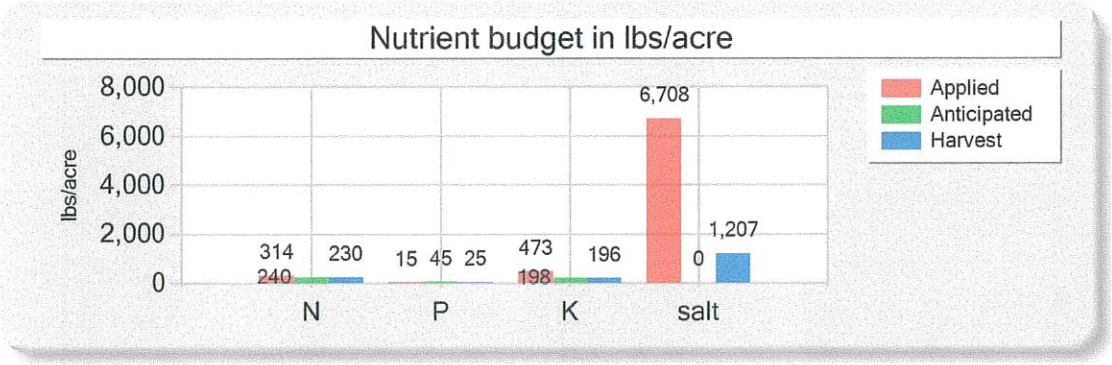

	Total N (lbs/acre)	Total P (lbs/acre)	Total K (lbs/acre)	Total salt (lbs/acre)
Existing soil nutrient content	0.00	0.00	0.00	0.00
Plowdown credit	0.00	0.00	0.00	0.00
Commercial fertilizer / Other	0.00	0.00	0.00	0.00
Dry manure	0.00	0.00	0.00	0.00
Process wastewater	306.68	14.52	473.16	5,057.07
Fresh water	0.00	0.00	0.00	1,650.80
Atmospheric deposition	7.00	0.00	0.00	0.00
Total nutrients applied	313.68	14.52	473.16	6,707.87
Anticipated crop nutrient removal	240.00	45.00	198.00	0.00
Actual crop nutrient removal	229.90	25.08	196.46	1,207.35
Nutrient balance	83.78	-10.56	276.70	5,500.52
Applied to removed ratio	1.36	0.58	2.41	5.56

Fresh water applied
11,303,932.00 *gallons*
416.29 *acre-inches*
34.69 *inches/acre*

Process wastewater applied
900,000.00 *gallons*
33.14 *acre-inches*
2.76 *inches/acre*

Total harvests for the crop
1 *harvests*

NUTRIENT ANALYSES

A. MANURE ANALYSES

2022 Fall Separated Solids

Sample and source description: 2022 Fall Separated Solids

Sample date: 11/14/2022 Material type: Separator solids Source of analysis: Lab analysis Method of reporting: Dry-weight

Moisture: 82.8 %

	Total N (mg/kg)	Total P (mg/kg)	Total K (mg/kg)	Calcium (mg/kg)	Magnesium (mg/kg)	Sodium (mg/kg)	Sulfur (mg/kg)	Chloride (mg/kg)	Total salt (mg/kg)	TFS (%)
Value	17,900.00	5,300.00	8,100.00	13,600.00	4,700.00	2,500.00	3,500.00	924.00		27.50
DL	100.00	100.00	100.00	100.00	100.00	100.00	100.00	100.00		0.01

Spring Separated Solids

Sample and source description: Spring Separated Solids

Sample date: 05/01/2023 Material type: Separator solids Source of analysis: Lab analysis Method of reporting: Dry-weight

Moisture: 85.0 %

	Total N (mg/kg)	Total P (mg/kg)	Total K (mg/kg)	Calcium (mg/kg)	Magnesium (mg/kg)	Sodium (mg/kg)	Sulfur (mg/kg)	Chloride (mg/kg)	Total salt (mg/kg)	TFS (%)
Value	20,000.00	8,700.00	6,500.00							16.90
DL	100.00	100.00	100.00							0.01

Fall Separated Solids

Sample and source description: Fall Separated Solids

Sample date: 10/24/2023 Material type: Separator solids Source of analysis: Lab analysis Method of reporting: Dry-weight

Moisture: 75.3 %

	Total N (mg/kg)	Total P (mg/kg)	Total K (mg/kg)	Calcium (mg/kg)	Magnesium (mg/kg)	Sodium (mg/kg)	Sulfur (mg/kg)	Chloride (mg/kg)	Total salt (mg/kg)	TFS (%)
Value	8,700.00	2,800.00	4,300.00	14,600.00	3,500.00	1,900.00	3,000.00	944.00		7.50
DL	100.00	100.00	100.00	100.00	100.00	100.00	100.00	100.00		0.01

B. PROCESS WASTEWATER ANALYSES

2022 WWSQ4

Sample and source description: 2022 WWSQ4

Sample date: 12/12/2022 Material type: Process wastewater Source of analysis: Lab analysis pH:

	Kjeldahl-N (mg/L)	NH4-N (mg/L)	NH3-N (mg/L)	Nitrate-N (mg/L)	Total P (mg/L)	Total K (mg/L)	Calcium (mg/L)	Magnes. (mg/L)	Sodium (mg/L)	Bicarb. (mg/L)	Carb. (mg/L)	Sulfate (mg/L)	Chloride (mg/L)	EC (µmhos/cm)	TDS (mg/L)
Value	498.00	311.00	0.00	0.00	67.80	587.00								5,800.00	5,020
DL	0.50	0.50	0.50	0.50	0.50	0.50								1.00	10

WWSQ1

Sample and source description: WWSQ1

Sample date: 03/13/2023 Material type: Process wastewater Source of analysis: Lab analysis pH:

	Kjeldahl-N (mg/L)	NH4-N (mg/L)	NH3-N (mg/L)	Nitrate-N (mg/L)	Total P (mg/L)	Total K (mg/L)	Calcium (mg/L)	Magnes. (mg/L)	Sodium (mg/L)	Bicarb. (mg/L)	Carb. (mg/L)	Sulfate (mg/L)	Chloride (mg/L)	EC (µmhos/cm)	TDS (mg/L)
Value	692.00	316.00	0.00	0.00	96.80	881.00								7,190.00	4,580
DL	0.50	0.50	0.50	0.50	0.50	0.50								1.00	10

WWSQ2

Sample and source description: WWSQ2

Sample date: 06/06/2023 Material type: Process wastewater Source of analysis: Lab analysis pH:

	Kjeldahl-N (mg/L)	NH4-N (mg/L)	NH3-N (mg/L)	Nitrate-N (mg/L)	Total P (mg/L)	Total K (mg/L)	Calcium (mg/L)	Magnes. (mg/L)	Sodium (mg/L)	Bicarb. (mg/L)	Carb. (mg/L)	Sulfate (mg/L)	Chloride (mg/L)	EC (µmhos/cm)	TDS (mg/L)
Value	490.00	325.00	0.00	0.00	23.20	756.00								6,730.00	8,080
DL	0.50	0.50	0.50	0.50	0.50	0.50								1.00	10

WWSQ3

Sample and source description: WWSQ3

Sample date: 09/19/2023 Material type: Process wastewater Source of analysis: Lab analysis pH:

	Kjeldahl-N (mg/L)	NH4-N (mg/L)	NH3-N (mg/L)	Nitrate-N (mg/L)	Total P (mg/L)	Total K (mg/L)	Calcium (mg/L)	Magnes. (mg/L)	Sodium (mg/L)	Bicarb. (mg/L)	Carb. (mg/L)	Sulfate (mg/L)	Chloride (mg/L)	EC (µmhos/cm)	TDS (mg/L)
Value	213.00	120.00	0.00	0.00	65.80	262.00	77.80	56.50	63.50	1,080.00	0.00	87.80	107.00	2,620.00	1,480
DL	0.50	0.50	0.50	0.50	0.50	0.50	0.50	0.50	0.50	0.50	0.50	0.50	0.50	1.00	10

WWSQ4

Sample and source description: WWSQ4

Sample date: 12/11/2023 Material type: Process wastewater Source of analysis: Lab analysis pH:

	Kjeldahl-N (mg/L)	NH4-N (mg/L)	NH3-N (mg/L)	Nitrate-N (mg/L)	Total P (mg/L)	Total K (mg/L)	Calcium (mg/L)	Magnes. (mg/L)	Sodium (mg/L)	Bicarb. (mg/L)	Carb. (mg/L)	Sulfate (mg/L)	Chloride (mg/L)	EC (µmhos/cm)	TDS (mg/L)
Value	622.00	414.00	0.00	0.00	19.40	770.00								7,710.00	6,880
DL	0.50	0.50	0.50	0.50	0.50	0.50								1.00	10

C. FRESH WATER ANALYSES

T.I.D Canal

Canal

Sample description: Canal

Sample date: 08/28/2023 Source of analysis: Lab analysis

	Total N (mg/L)	NH4-N (mg/L)	Nitrate-N (mg/L)	Calcium (mg/L)	Magnesium (mg/L)	Sodium (mg/L)	Bicarbonate (mg/L)	Carbonate (mg/L)	Sulfate (mg/L)	Chloride (mg/L)	EC (µmhos/cm)	TDS (mg/L)
Value	0.00	0.00	0.00								0.00	210
DL	0.50	0.50	0.50								1.00	10

D. SOIL ANALYSES

B37

Soil

Sample and source description: Soil

Sample date: 04/13/2023 Source of analysis: Lab analysis

	Nitrate-N (mg/kg)	Total P (mg/kg)	Soluble P (mg/kg)	K (mg/kg)	EC (µmhos/cm)	Organic matter (%)	Total salt (mg/kg)
Value			42.00				
DL			4.00				

B38

B38

Soil

Sample and source description: Soil

Sample date: 04/13/2023 Source of analysis: Lab analysis

	Nitrate-N (mg/kg)	Total P (mg/kg)	Soluble P (mg/kg)	K (mg/kg)	EC (µmhos/cm)	Organic matter (%)	Total salt (mg/kg)
Value			98.00				
DL			4.00				

E. PLANT TISSUE ANALYSES

B37 - 11/11/2022: Oats, silage-soft dough

Winter Forage

Sample and source description: Winter Forage

Sample date: 05/16/2023 Source of analysis: Lab analysis Method of reporting: As-is

Moisture: 73.0 %

	Total N (mg/kg)	Total P (mg/kg)	Total K (mg/kg)	Total salt (mg/kg)	TFS (%)
Value	4,900.00	900.00	5,500.00		8.71
DL	100.00	100.00	100.00		0.01

B37 - 07/11/2023: Corn, silage

Corn Silage

Sample and source description: Corn Silage

Sample date: 10/18/2023 Source of analysis: Lab analysis Method of reporting: As-is

Moisture: 62.0 %

	Total N (mg/kg)	Total P (mg/kg)	Total K (mg/kg)	Total salt (mg/kg)	TFS (%)
Value	4,600.00	500.00	6,100.00		9.20
DL	100.00	100.00	100.00		0.01

B38 - 11/11/2022: Oats, silage-soft dough

Winter Forage

Sample and source description: Winter Forage

Sample date: 05/16/2023 Source of analysis: Lab analysis Method of reporting: As-is

Moisture: 70.8 %

	Total N (mg/kg)	Total P (mg/kg)	Total K (mg/kg)	Total salt (mg/kg)	TFS (%)
Value	4,700.00	1,000.00	5,700.00		13.00
DL	100.00	100.00	100.00		0.01

B38 - 07/11/2023: Corn, silage

Corn Silage

Sample and source description: Corn Silage

Sample date: 10/18/2023 Source of analysis: Lab analysis Method of reporting: As-is

Moisture: 66.8 %

	Total N (mg/kg)	Total P (mg/kg)	Total K (mg/kg)	Total salt (mg/kg)	TFS (%)
Value	5,500.00	600.00	4,700.00		8.70
DL	100.00	100.00	100.00		0.01

F. SUBSURFACE (TILE) DRAINAGE ANALYSES

No subsurface (tile) drainage analyses entered.

NUTRIENT APPLICATIONS, POTENTIAL REMOVAL, AND BALANCE

A. SUMMARY OF NUTRIENT APPLICATIONS, POTENTIAL REMOVAL, AND BALANCE

	Total N (lbs)	Total P (lbs)	Total K (lbs)	Total salt (lbs)
Existing soil nutrient content	0.00	0.00	0.00	0.00
Plowdown credit	0.00	0.00	0.00	0.00
Commercial fertilizer / Other	0.00	0.00	0.00	0.00
Dry manure	0.00	0.00	0.00	0.00
Process wastewater	25,455.19	2,130.04	36,310.16	328,887.80
Fresh water	0.00	0.00	0.00	95,229.09
Atmospheric deposition	686.00	0.00	0.00	0.00
Total nutrients applied	26,141.19	2,130.04	36,310.16	424,116.89
Anticipated crop nutrient removal	19,600.00	3,459.40	16,209.20	0.00
Actual crop nutrient removal	18,711.52	2,740.77	22,002.28	119,854.73
Nutrient balance	7,429.66	-610.73	14,307.89	304,262.16
Applied to removed ratio	1.40	0.78	1.65	3.54

B. POUNDS OF NUTRIENT APPLIED VS. CROP REMOVAL

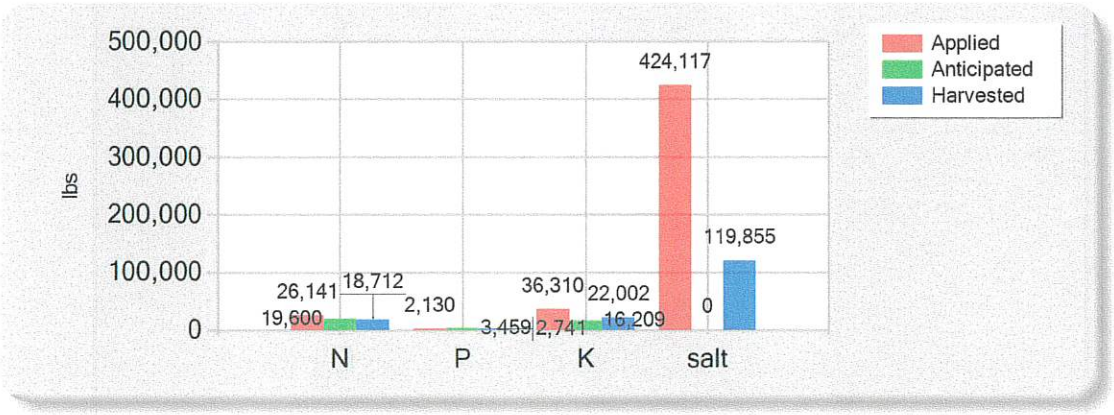

C. POUNDS OF NUTRIENT APPLIED BY MATERIAL TYPE

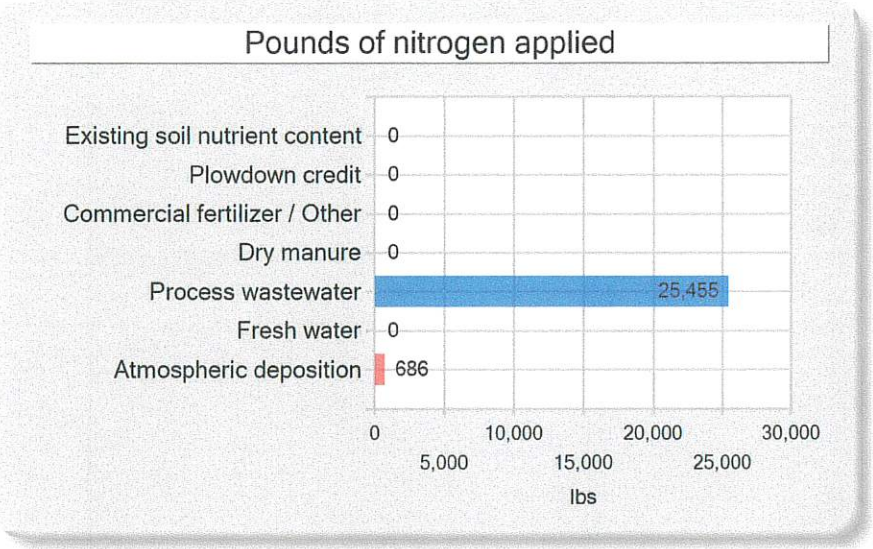

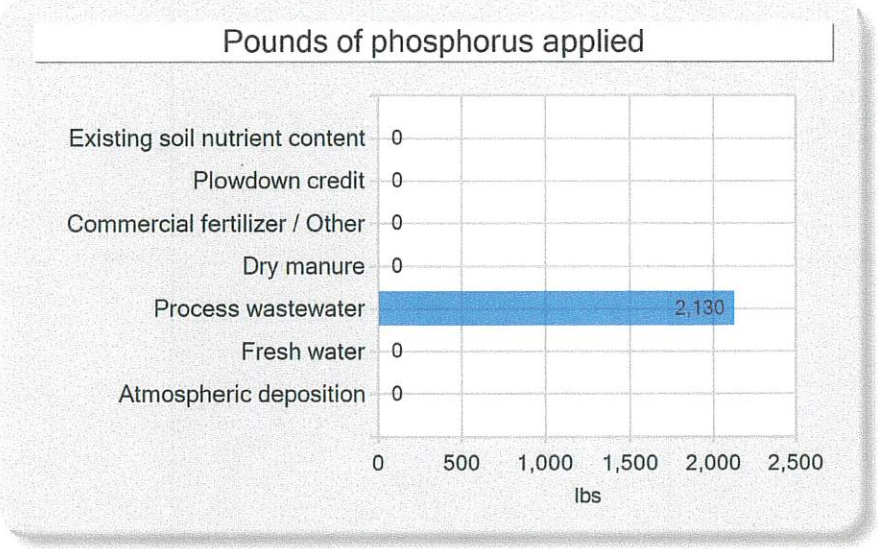

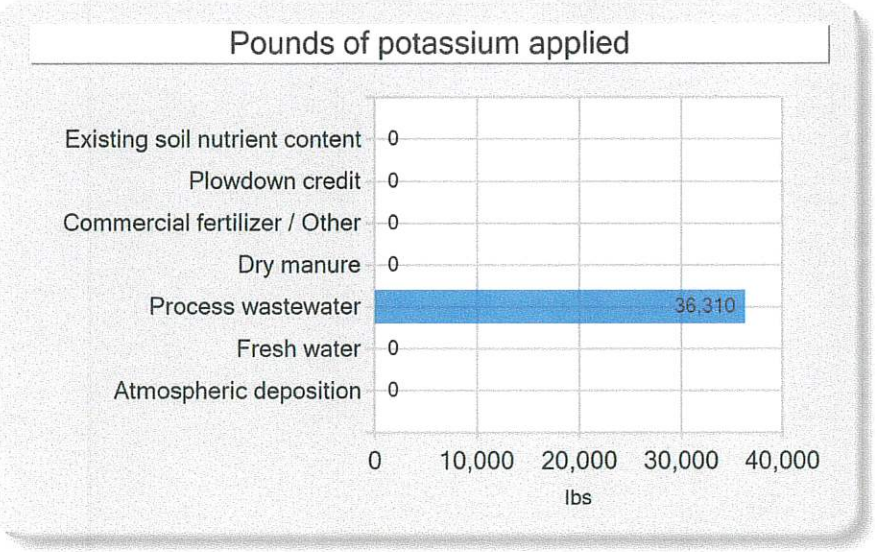

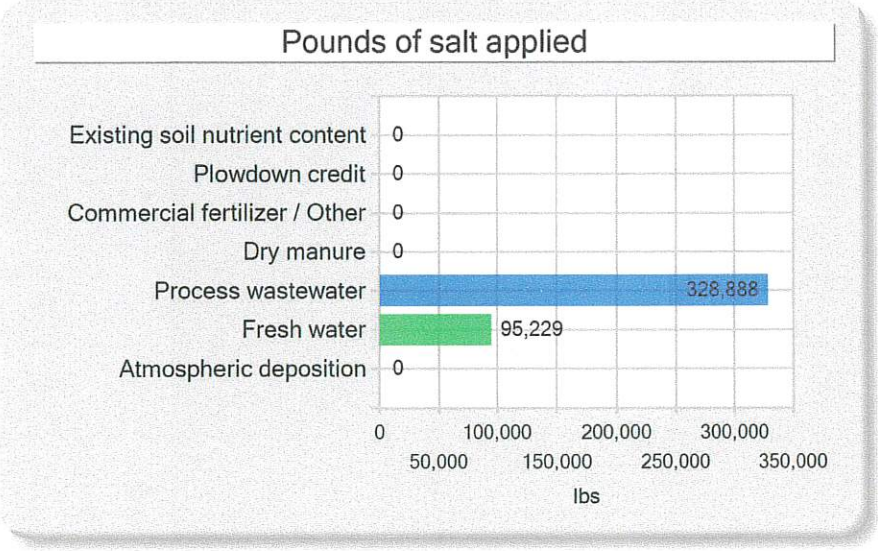

EXCEPTION REPORTING

A. MANURE, PROCESS WASTEWATER, AND OTHER DAIRY WASTE DISCHARGES

The following is a summary of all manure and process wastewater discharges from the production area to surface water or to land areas (land application areas or otherwise) when not in accordance with the facility's Nutrient Management Plan.

No manure or process wastewater discharges occurred during the reporting period.

B. STORM WATER DISCHARGES

The following is a summary of all storm water discharges from the production area to surface water during the reporting period when not in accordance with the facility 's Nutrient Management Plan.

No stormwater discharges occurred during the reporting period.

C. LAND APPLICATION AREA TO SURFACE WATER DISCHARGES

The following is a summary of all discharges from the land application area to surface water that have occurred during the reporting period when not in accordance with the facility's Nutrient Management Plan.

No land application area to surface water discharges occurred during the reporting period.

NUTRIENT MANAGEMENT PLAN AND EXPORT AGREEMENT STATEMENTS

A. NUTRIENT MANAGEMENT PLAN STATEMENTS

Was the facility's NMP updated in the reporting period?	No
Was the facility's NMP developed by a certified nutrient management planner (specialist) as specified in Attachment C of the General Order?	Yes
Was the facility's NMP approved by a certified nutrient management planner (specialist) as specified in Attachment C of the General Order?	Yes

B. EXPORT AGREEMENT STATEMENT

Are there any written agreements with third parties to receive manure or process wastewater that are new or were revised within the reporting period?	No

ADDITIONAL NOTES

A. NOTES

Moved milk cows offsite in July of 2023. Facility only housing dry cows and heifers onsite.

Field B37 winter forage had lower than anticipated harvested yields (22.0 tons per acre harvested vs 30 tons per acre anticipated), causing this field to have a ratio higher than the 1.4 threshold. Nutrient applications were in line with targeted removal.

CERTIFICATION

A. OWNER AND/OR OPERATOR CERTIFICATION

I certify under penalty of law that I have personally examined and am familiar with the information submitted in this document and all attachments and that, based on my inquiry of those individuals immediately responsible for obtaining the information, I believe that the information is true, accurate, and complete. I am aware that there are significant penalties for submitting false information, including the possibility of fine and imprisonment.

SIGNATURE OF OWNER OF FACILITY	SIGNATURE OF OPERATOR OF FACILITY
Joe & Cathy Branco	Vierra Dairy LLC #4
PRINT OR TYPE NAME	PRINT OR TYPE NAME
2/19/24	
DATE	DATE

ATTACHMENTS

A. REQUIRED ATTACHMENTS

The following lists the required documents that should be attached to the Annual Report when submitted.

Annual Dairy Facility Assessment
Provide an Annual Dairy Facility Assessment (an update to the Preliminary Dairy Facility Assessment in Attachment A) for each reporting period. On the PDFA Final page, click on the ADFA Report button to generate an ADFA report after updating information as needed.

Manure/Process Wastewater Tracking Manifests
Provide copies of all manure/process wastewater tracking manifests for the reporting period, signed by both the owner/operator and the hauler.

Corrective Actions Documents
Provide records documenting any corrective actions taken to correct deficiencies noted as a result of the inspections required in the Monitoring Requirements of the General Order. Deficiencies not corrected in 30 days must be accompanied by an explanation of the factors preventing immediate correction.

Groundwater Monitoring
Dischargers that monitor supply wells or subsurface (tile) drainage systems, or that have monitoring well systems must submit monitoring results as directed in the General Order, Groundwater Reporting Section starting on page MRP-13.

Storm Water Monitoring
Dischargers that are required to monitor storm water more frequently than required in the General Order must submit monitoring results as directed in the General Order, Storm Water Reporting Section on page MRP-14.

DENELE ANALYTICAL, INC.

865 S. KILROY
TURLOCK, CA 95380

PH# 209-634-9055 FAX# 209-634-9057

DAIRY COMPLIANCE

Client: Sierra Dairy Farms #4
Mailing address:
(not facility address)
Phone#:

Authorized Copy Released To: F.R.
Sampled By: TM
Project ID:

ANALYSIS TO BE COMPLETED:

IRRIGATION/GROUND WATER
- H1 EC*, NO3-N, NH4-N*
- H6 EC, TN, TDS
- H7 Combination of H1 & H6
- H14 EC, NO3-N, NH4-N, Ca, Mg, Na, Bicarb Carb, SO4, Cl, TDS

PROCESS WASTE WATER
- H3 EC*, NH4-N, TKN, TP, K, TDS
- H4 EC*, NO3-N, NH4-N, TKN, TP, K, TDS
- H5 Ca, Mg, Na, Bicarb, Carb, SO4, Cl
- H8 Combination of H3 &H5
- H9 Combination of H4 &H5

TILE DRAIN
- H2 EC*, NO3-N, TP, NH4-N*, TDS

** Required Field Measurement*

___ (Check here if performed)

DISCHARGE WATER
- E1 EC*, Temp*, pH*, NO3-N, NH4-N, TKN, TP, K, TDS, Dissolved Oxygen*, BOD 5, TSS, Total & Fecal Coliforms
- E2 EC,* Temp*, pH*, NO3-N, NH4-N*, Turbidity, TP, Dissolved Oxygen*, Total & Fecal Coliforms
- E3 EC*, Temp*, pH*, NO3-N, NH4-N*, TP, Total & Fecal Coliforms
- E4 EC*, Temp*, pH*, NO3-N, NH4-N*, Turbidity, TP, Total & Fecal Coliform

MANURE
- M1 % Moisture
- M3 TN TP, K, % Moisture
- M4 Ca, Mg, Na, Bicarb, Carb, SO4, Cl, Ash
- M7 Combination of M3 & M4

PLANT TISSUE
- F18 % Moisture, Ash, TN, P, K, DM and as received
- F18+ % Moisture, Ash, TN, P, K, DM and as received (Package also includes NIR DCAD)
- F19+ % Moisture, TN (Package includes complete plant tissue analysis)

SOIL
- K3 Soluble Phosphorus
- K4 1ft NO3, Organic Matter
- K5 Pre-Plant (2ft NO3), Fall (1-2ft NO3), Fall (2-3ft NO3)
- K6 0-1ft EC, NO3, Soluble P, K, Organic Matter
- K7 Combination of K3 & K4
- K8 Combination of K3 & K5

	Date Collected	Time Collected	Sample ID	Description	Temp	Well Purge	H1	H3	M3	F18	OTHER
1	12/31	11:00	Domestic	DW Rental		16.0	✓				
2	12/31	11:15	Well	DW M3		16.0	✓				
3											
4											
5											
6											
7											
8											
9											
10											

Analysis

CHAIN OF CUSTODY RECORDING

	Signature	Company	Received Date & Time	Relinquished Date & Time	(LABORATORY USE ONLY) Logged in By:	LABORATORY NUMBER
1st	[illegible]	FRAG				
2nd		DENELE ANALYTICAL, INC.	1-30-24/10:10			T4030007

Required to be submitted to any agency? (YES / NO)

Denele Analytical, Inc.

865 South Kilroy Avenue Turlock, CA 95380
Phone (209) 634-9055 - Fax (209) 634-9057

www.denelelabs.com

40 N. East Street, Woodland, CA 95776
Phone (530) 666-9056 - Fax (530) 666-9058

Compliance Analysis Report

Customer
Vierra Dairy Farms #4
P.O. Box 1350
Hilmar, CA 95324

Grower

Consultant:
F & R Ag Services
2857 Geer Rd. Ste A
Turlock, CA 95382

PURCHASE ORDER:
RECEIVED DATE: 1/30/24 10:10 AM
SUBMITTED BY: KK
ANALYZED DATE: 1/31/24

Irrigation/ Ground Water (H1)
SOURCE: Well Water

NOTES: Temperature was above qualifying at 16.0c and passed hold time.

Sample ID	Lab ID	Analyte	Method Ref	Result	Units
DW MB	T4030007B	Electrical Conductivity (EC)	EPA 120.1 and	1.37	mmhos/cm
		Nitrate Nitrogen (NO3-N)	EPA 353.2	43.9	mg/L
		Ammonia Nitrogen (NH3-N)	SM 4500-NH3 D,C	< 0.500	mg/L
		Soluble Salts (SALT-SOL)	Calculation	877	mg/L

Laboratory Quality Control	LCS %	MS %	MSD %	RPD %
Ammonia Nitrogen (NH3-N)	103	101 (T4030004A)	98.8 (T4030004A)	1.80
Electrical Conductivity (EC)	99.1			0.959
Nitrate Nitrogen (NO3-N)	105	106 (T4030002A)	104 (T4030002A)	1.46

The warranty of Denele Analytical is limited to the accuracy of the analyses of the samples as received. Denele Analytical assumes no responsibility for which the customer uses our test results, nor liability for any other warranties, express or implied. These terms and conditions shall supercede any conflicting terms and conditions submitted on customer purchase orders or other forms submitted for work.

ELAP Certificate No.: 2714

Denele Analytical, Inc.

865 South Kilroy Avenue Turlock, CA 95380
Phone (209) 634-9055 - Fax (209) 634-9057

www.denelelabs.com

40 N. East Street, Woodland, CA 95776
Phone (530) 666-9056 - Fax (530) 666-9058

Compliance Analysis Report

Customer
Vierra Dairy Farms #4
P.O. Box 1350
Hilmar, CA 95324

Grower

Consultant:
F & R Ag Services
2857 Geer Rd. Ste A
Turlock, CA 95382

PURCHASE ORDER:
RECEIVED DATE: 1/30/24 10:10 AM
SUBMITTED BY: KK
ANALYZED DATE: 1/31/24

Irrigation/ Ground Water (H1)
SOURCE: Well Water

NOTES: Temperature was above qualifying at 16.0c and passed hold time.

Sample ID	Lab ID	Analyte	Method Ref	Result	Units
DW Rental	T4030007A	Electrical Conductivity (EC)	EPA 120.1 and	0.862	mmhos/cm
		Nitrate Nitrogen (NO3-N)	EPA 353.2	24.5	mg/L
		Ammonia Nitrogen (NH3-N)	SM 4500-NH3 D,C	< 0.500	mg/L
		Soluble Salts (SALT-SOL)	Calculation	551	mg/L

Laboratory Quality Control	LCS %	MS %	MSD %	RPD %
Ammonia Nitrogen (NH3-N)	103	101 (T4030004A)	98.8 (T4030004A)	1.80
Electrical Conductivity (EC)	99.1			0.959
Nitrate Nitrogen (NO3-N)	105	106 (T4030002A)	104 (T4030002A)	1.46

The warranty of Denele Analytical is limited to the accuracy of the analyses of the samples as received. Denele Analytical assumes no responsibility for which the customer uses our test results, nor liability for any other warranties, express or implied. These terms and conditions shall supercede any conflicting terms and conditions submitted on customer purchase orders or other forms submitted for work.

ELAP Certificate No.: 2714

ATTACHMENT D

Manure/Process Wastewater Tracking Manifest
For
Existing Milk Cow Dairies

Instructions:

1) Complete one manifest for each hauling event, for each destination. A hauling event may last for several days, as long as the manure is being hauled to the same destination.
2) If there are multiple destinations, complete a separate form for each destination.
3) The operator must obtain the signature of the hauler upon completion of each manure hauling event.
4) The operator shall submit copies of manure/process wastewater tracking manifest(s) with the Annual Monitoring Report for Existing Milk Cow Dairies.

Operator Information:

Name of Operator: Matt Swanson

Name of Dairy Facility: Vierra Dairy Farms #4

Facility Address: 7963 Washington Rd. (Number and Street) Hilmar (City) 95324 (Zip Code)

Contact Person Name and Phone Number: Matt Swanson (Name) 209-668-0343 (Phone Number)

Manure/Process Wastewater Hauler Information:

Name of Hauling Company/Person: Silva & Sons Spreading

Address of Hauling Company /Person: P.O Box 1261 (Number and Street) Hilmar (City) 95324 (Zip Code)

Contact Person: Manuel Silva (Name) 209-667-2566 (Phone Number)

Destination Information:

Composting Facility / Broker / Farmer / Other (identify) _____ (please circle one)

Contact Information of Composting Facility, Broker, Farmer, or Other (as identified above):

Vierra Dairy Farms (Name) 23150 W. Williams Ave (Number and Street) Hilmar (City) 95324 (Zip Code) 209-668-0343 (Phone Number)

Manure/Process Wastewater Destination Address or Assessor's Parcel Number:

045-040-019 (Number and Street) (City) (Zip Code) (Assessor's Parcel Number)

Dates Hauled: 5/10/23

Amount Hauled:

Enter the amount of manure hauled in tons or cubic yards (indicate the units used), the manure solids content (if amount reported in tons) or manure density (if amount reported in cubic yards), and the method used to calculate the amount:

Manures: 1700 Tons or Cubic Yards (indicate which units used)

Manure Solids Content (if amount reported in tons): @ 0.80.1

Manure Density (if amount reported in cubic yards): _____

Method used to determine amount of manure: @ 12 tons per load

Enter the amount of process wastewater hauled in gallons and the method used to determine the amount.

Process Wastewater: _____ Gallons

Method used to determine volume of process wastewater: _____

Written Agreement:
Does the Operator have a written agreement (in compliance with Land Application Specification C.2 of Waste Discharge Requirements General Order No. R5-2007-0035) with any party that receives process wastewater from the Operator for its own use? (please check one)

____ Yes ____ No

If the answer is no, the Operator agrees to have such a written agreement with any such party for any process wastewater transferred after 31 December 2007 to such party.
_____ (Operator shall provide initials here to acknowledge this requirement).

Certification:
I declare under the penalty of law that I personally examined and am familiar with the information submitted in this document, and that based on my inquiry of those individuals immediately responsible for obtaining the information, I believe that the information is true, accurate, and complete. I am aware that there are significant penalties for submitting false information, including the possibility of a fine and imprisonment for knowing violations.

Operator's Signature: _____ Date: _____

Hauler's Signature: _____ Date: _____

ATTACHMENT D

Manure/Process Wastewater Tracking Manifest
For
Existing Milk Cow Dairies

Instructions:

1) Complete one manifest for each hauling event, for each destination. A hauling event may last for several days, as long as the manure is being hauled to the same destination.
2) If there are multiple destinations, complete a separate form for each destination.
3) The operator must obtain the signature of the hauler upon completion of each manure-hauling event.
4) The operator shall submit copies of manure/process wastewater tracking manifest(s) with the Annual Monitoring Report for Existing Milk Cow Dairies.

Operator Information:

Name of Operator: Matt Swanson

Name of Dairy Facility: Vierra Dairy Farms #4

Facility Address: 7965 Washington Rd. (Number and Street) Hilmar (City) 95324 (Zip Code)

Contact Person Name and Phone Number: Matt Swanson (Name) 209-668-0343 (Phone Number)

Manure/Process Wastewater Hauler Information:

Name of Hauling Company/Person: Silva & Sons Spreading

Address of Hauling Company /Person: P.O Box 1261 (Number and Street) Hilmar (City) 95324 (Zip Code)

Contact Person: Manuel Silva (Name) 209-667-2566 (Phone Number)

Destination Information:

Composting Facility / Broker / Farmer / Other (identify) _____ (please circle one)

Contact Information of Composting Facility, Broker, Farmer, or Other (as identified above):

Vierra Dairy Farms (Name) 23160 W. Williams Ave (Number and Street) Hilmar (City) 95324 (Zip Code) 209-668-0343 (Phone Number)

Manure/Process Wastewater Destination Address or Assessor's Parcel Number:

045-040-013 (Number and Street) (City) (Zip Code) (Assessor's Parcel Number)

Dates Hauled: 9/22/23

Amount Hauled:

Enter the amount of manure hauled in tons or cubic yards (indicate the units used), the manure solids content (if amount reported in tons) or manure density (if amount reported in cubic yards), and the method used to calculate the amount:

Manure: 350 Tons or Cubic Yards (indicate which units used)

Manure Solids Content (if amount reported in tons): @ 30%

Manure Density (if amount reported in cubic yards): _____

Method used to determine amount of manure: @12 tons per load

Enter the amount of process wastewater hauled in gallons and the method used to determine the amount.

Process Wastewater: _____ Gallons

Method used to determine volume of process wastewater: _____

Written Agreement:
Does the Operator have a written agreement (in compliance with Land Application Specification C.2 of Waste Discharge Requirements General Order No. R5-2007-0035) with any party that receives process wastewater from the Operator for its own use? (please check one)

____ Yes _____ No

If the answer is no, the Operator agrees to have such a written agreement with any such party for any process wastewater transferred after 31 December 2007 to such party:
_____ (Operator shall provide initials here to acknowledge this requirement).

Certification:
I declare under the penalty of law that I personally examined and am familiar with the information submitted in this document, and that based on my inquiry of those individuals immediately responsible for obtaining the information, I believe that the information is true, accurate, and complete. I am aware that there are significant penalties for submitting false information, including the possibility of a fine and imprisonment for knowing violations.

Operator's Signature: _____ Date: _____

Hauler's Signature: _____ Date: _____

ATTACHMENT D

Manure/Process Wastewater Tracking Manifest
For
Existing Milk Cow Dairies

Instructions:

1) Complete one manifest for each hauling event, for each destination. A hauling event may last for several days, as long as the manure is being hauled to the same destination.
2) If there are multiple destinations, complete a separate form for each destination.
3) The operator must obtain the signature of the hauler upon completion of each manure-hauling event.
4) The operator shall submit copies of manure/process wastewater tracking manifest(s) with the Annual Monitoring Report for Existing Milk Cow Dairies.

Operator Information:

Name of Operator: Matt Swanson

Name of Dairy Facility: Vierra Dairy Farms #4

Facility Address: 7965 Washington Rd. (Number and Street) Hilmar (City) 95324 (Zip Code)

Contact Person Name and Phone Number: Matt Swanson (Name) 209-668-0343 (Phone Number)

Manure/Process Wastewater Hauler Information:

Name of Hauling Company/Person: Silva & Sons Spreading

Address of Hauling Company /Person: P.O Box 1261 (Number and Street) Hilmar (City) 95324 (Zip Code)

Contact Person: Manuel Silva (Name) 209-667-2566 (Phone Number)

Destination Information:

Composting Facility / Broker / Farmer / Other (identify) _____ (please circle one)

Contact information of Composting Facility, Broker, Farmer, or Other (as identified above):

Vierra Dairy Farms (Name) 23160 W. Williams Ave (Number and Street) Hilmar (City) 95324 (Zip Code) 209-668-0343 (Phone Number)

Manure/Process Wastewater Destination Address or Assessor's Parcel Number:

045-050-020 (Number and Street) _____ (City) _____ (Zip Code) _____ (Assessor's Parcel Number)

Dates Hauled: 10/7/23

Amount Hauled:

Enter the amount of manure hauled in tons or cubic yards (indicate the units used), the manure solids content (if amount reported in tons) or manure density (if amount reported in cubic yards), and the method used to calculate the amount:

Manure: 2000 Tons or Cubic Yards (indicate which units used)

Manure Solids Content (if amount reported in tons): @ 19.3%

Manure Density (if amount reported in cubic yards): _____

Method used to determine amount of manure: @ 12 ton per load

Enter the amount of process wastewater hauled in gallons and the method used to determine the amount.

Process Wastewater: _____ Gallons

Method used to determine volume of process wastewater: _____

Written Agreement:
Does the Operator have a written agreement (in compliance with Land Application Specification C.2 of Waste Discharge Requirements General Order No. R5-2007-0035) with any party that receives process wastewater from the Operator for its own use? (please check one)

____ Yes _____ No

If the answer is no, the Operator agrees to have such a written agreement with any such party for any process wastewater transferred after 31 December 2007 to such party.
_____ (Operator shall provide initials here to acknowledge this requirement).

Certification:
I declare under the penalty of law that I personally examined and am familiar with the information submitted in this document, and that based on my inquiry of those individuals immediately responsible for obtaining the information, I believe that the information is true, accurate, and complete. I am aware that there are significant penalties for submitting false information, including the possibility of a fine and imprisonment for knowing violations.

Operator's Signature: _____ Date: _____

Hauler's Signature: _____ Date: _____