Annual Report - General Order No. R5-2007-0035
Reporting period 01/01/2023 to 12/31/2023.

DAIRY FACILITY INFORMATION

A. NAME OF DAIRY OR BUSINESS OPERATING THE DAIRY: Double D Dairy #4 (former Diamond B Dairy #3)

Physical address of dairy:

8201 Mitchell RD	Ceres	Stanislaus	95307
Number and Street	City	County	Zip Code

Street and nearest cross street (if no address):

Date facility was originally placed in operation: 01/01/1974

Regional Water Quality Control Board Basin Plan designation: San Joaquin River Basin

County Assessor Parcel Number(s) for dairy facility:

X022-X019-X004-XXXX

B. OPERATORS

Assali, Dominic

Operator name: Assali, Dominic

Telephone no.: Landline: ; Cellular: (209) 542-0281

1441 E Monte Vista AVE	Ceres	CA	95307
Mailing Address Number and Street	City	State	Zip Code

This operator is responsible for paying permit fees.

C. OWNERS

Meneses, Adeline G. (Meneses Revocable Trust)

Legal owner name: Meneses, Adeline G. (Meneses Revocable Trust)

Telephone no.: Landline: (209) 577-4178; Cellular:

615 N Hopper RD	Modesto	CA	95357
Mailing Address Number and Street	City	State	Zip Code

Meneses, Linda (Antonio Paim Meneses Testamentary Trust)

Legal owner name: Meneses, Linda (Antonio Paim Meneses Testamentary Trust)

Telephone no.: Landline: (831) 325-9479; Cellular:

615 N Hopper RD	Modesto	CA	95357
Mailing Address Number and Street	City	State	Zip Code

Meneses, Rose Marie (Antonio Paim Meneses Testamentary Trust)

Legal owner name:	Meneses, Rose Marie (Antonio Paim Meneses Testamentary Trust)	Telephone no.:	(209) 345-6453	
			Landline	Cellular
615 N Hopper RD	Modesto		CA	95357
Mailing Address Number and Street	City		State	Zip Code

AVAILABLE NUTRIENTS

A. HERD INFORMATION

	Milk Cows	Dry Cows	Bred Heifers (15-24 mo.)	Heifers (7-14 mo. to breeding)	Calves (4-6 mo.)	Calves (0-3 mo.)
Number open confinement	0	0	0	0	0	0
Number under roof	375	0	0	0	0	0
Maximum number	375	0	0	0	0	0
Average number	188	0	0	0	0	0
Avg live weight (lbs)	1,350	0	0	0		

Predominant milk cow breed: Holstein

Average milk production: 73 *pounds per cow per day*

B. MANURE GENERATED

Total manure excreted by the herd: 4,889.08 *tons per reporting period*

Total nitrogen from manure: 63,916.89 *lbs per reporting period*

After ammonia losses (30% loss applied): 44,741.82 *lbs per reporting period*

Total phosphorus from manure: 10,833.36 *lbs per reporting period*

Total potassium from manure: 36,374.28 *lbs per reporting period*

Total salt from manure: 88,519.80 *lbs per reporting period*

C. PROCESS WASTEWATER GENERATED

Process wastewater generated: 6,330,000 *gallons*

Total nitrogen generated: 20,548.48 *lbs*

Total phosphorus generated: 2,783.82 *lbs*

Total potassium generated: 46,590.64 *lbs*

Total salt generated: 274,684.02 *lbs*

	6,330,000	*gallons applied*
+	0	*gallons exported*
-	0	*gallons imported*
=	6,330,000	*gallons generated*

D. FRESH WATER SOURCES

Source Description	Type
TID Ceres Main	Surface water

E. SUBSURFACE (TILE) DRAINAGE SOURCES

No subsurface (tile) drainage sources entered.

F. NUTRIENT IMPORTS

No dry manure nutrient imports entered.

No process wastewater nutrient imports entered.

No commercial or other nutrient imports entered.

G. NUTRIENT EXPORTS

No solid nutrient exports entered.

No liquid nutrient exports entered.

APPLICATION AREA

A. LIST OF LAND APPLICATION AREAS

Field name	Controlled acres	Cropable acres	Total harvests	Type of waste applied	Parcel number
1	20	20	1	both	X022-X019-X004-XXXX
2	38	38	1	both	X022-X019-X007-XXXX
3	36	36	1	both	X022-X019-X006-XXXX
4	31	31	1	both	X022-X019-X004-XXXX
Totals for areas that were used for application	125	125	4		
Totals for areas that were not used for application					
Land application area totals	125	125	4		

B. CROPS AND HARVESTS

1

Field name: 1

06/13/2023: Corn, silage

Crop: Corn, silage Acres planted: 20 Plant date: 06/13/2023

Harvest date	Yield	Reporting basis	Density (lbs/cu ft)	Moisture (%)	N (mg/kg)	P (mg/kg)	K (mg/kg)	Salt (mg/kg)	TFS (%)
10/03/2023	649.00 *ton*	As-is		71.8	3,590.00	810.00	6,650.00		6.47

	Yield (tons/acre)	Total N (lbs/acre)	Total P (lbs/acre)	Total K (lbs/acre)	Salt (lbs/acre)
Anticipated harvest content	30.00	240.00	45.00	198.00	0.00
Total actual harvest content	32.45	232.99	52.57	431.59	1,184.13

2

Field name: 2

2

06/13/2023: Corn, silage

Crop: Corn, silage Acres planted: 38 Plant date: 06/13/2023

Harvest date	Yield	Reporting basis	Density (lbs/cu ft)	Moisture (%)	N (mg/kg)	P (mg/kg)	K (mg/kg)	Salt (mg/kg)	TFS (%)
10/03/2023	1,178.00 *ton*	As-is		71.8	3,750.00	890.00	7,300.00		8.36

	Yield (tons/acre)	Total N (lbs/acre)	Total P (lbs/acre)	Total K (lbs/acre)	Salt (lbs/acre)
Anticipated harvest content	30.00	240.00	45.00	198.00	0.00
Total actual harvest content	31.00	232.50	55.18	452.60	1,461.66

3

Field name: 3

06/13/2023: Corn, silage

Crop: Corn, silage Acres planted: 36 Plant date: 06/13/2023

Harvest date	Yield	Reporting basis	Density (lbs/cu ft)	Moisture (%)	N (mg/kg)	P (mg/kg)	K (mg/kg)	Salt (mg/kg)	TFS (%)
10/04/2023	1,039.00 *ton*	As-is		70.2	3,930.00	770.00	5,860.00		7.00

	Yield (tons/acre)	Total N (lbs/acre)	Total P (lbs/acre)	Total K (lbs/acre)	Salt (lbs/acre)
Anticipated harvest content	30.00	240.00	45.00	198.00	0.00
Total actual harvest content	28.86	226.85	44.45	338.25	1,204.09

4

Field name: 4

4

06/13/2023: Corn, silage

Crop: Corn, silage Acres planted: 31 Plant date: 06/13/2023

Harvest date	Yield	Reporting basis	Density (lbs/cu ft)	Moisture (%)	N (mg/kg)	P (mg/kg)	K (mg/kg)	Salt (mg/kg)	TFS (%)
10/04/2023	1,014.00 *ton*	As-is		70.4	3,540.00	700.00	5,770.00		6.90

	Yield (tons/acre)	Total N (lbs/acre)	Total P (lbs/acre)	Total K (lbs/acre)	Salt (lbs/acre)
Anticipated harvest content	30.00	240.00	45.00	198.00	0.00
Total actual harvest content	32.71	231.58	45.79	377.47	1,336.12

NUTRIENT BUDGET

A. LAND APPLICATIONS

1 - 06/13/2023: Corn, silage

Field name: 1

Crop: Corn, silage

Plant date: 06/13/2023

Application date	Application method	Precipitation 24 hours prior	Precipitation during application	Precipitation 24 hours following
05/29/2023	Broadcast/incorporate	No precipitation	No precipitation	No precipitation

Source description	Material type	N (lbs/acre)	P (lbs/acre)	K (lbs/acre)	Salt (lbs/acre)	Amount
Corral Manure	Corral solids	146.71	28.65	144.40	9,230.05	160.00 *ton*
Application event totals		146.71	28.65	144.40	9,230.05	

Application date	Application method	Precipitation 24 hours prior	Precipitation during application	Precipitation 24 hours following
06/01/2023	Surface (irrigation)	No precipitation	No precipitation	No precipitation

Source description	Material type	N (lbs/acre)	P (lbs/acre)	K (lbs/acre)	Salt (lbs/acre)	Amount
WWS	Process wastewater	60.87	8.25	138.01	813.64	375,000.00 *gal*
TID Ceres Main	Surface water	0.00	0.00	0.00	16.90	3,375,000.00 *gal*
Application event totals		60.87	8.25	138.01	830.54	

Application date	Application method	Precipitation 24 hours prior	Precipitation during application	Precipitation 24 hours following
07/14/2023	Surface (irrigation)	No precipitation	No precipitation	No precipitation

Source description	Material type	N (lbs/acre)	P (lbs/acre)	K (lbs/acre)	Salt (lbs/acre)	Amount
TID Ceres Main	Surface water	0.00	0.00	0.00	14.87	2,970,000.00 *gal*
Application event totals		0.00	0.00	0.00	14.87	

Application date	Application method	Precipitation 24 hours prior	Precipitation during application	Precipitation 24 hours following
07/25/2023	Surface (irrigation)	No precipitation	No precipitation	No precipitation

Source description	Material type	N (lbs/acre)	P (lbs/acre)	K (lbs/acre)	Salt (lbs/acre)	Amount
WWS	Process wastewater	51.13	6.93	115.92	683.46	315,000.00 *gal*
TID Ceres Main	Surface water	0.00	0.00	0.00	14.19	2,835,000.00 *gal*
Application event totals		51.13	6.93	115.92	697.65	

Application date	Application method	Precipitation 24 hours prior	Precipitation during application	Precipitation 24 hours following
08/05/2023	Surface (irrigation)	No precipitation	No precipitation	No precipitation

Source description	Material type	N (lbs/acre)	P (lbs/acre)	K (lbs/acre)	Salt (lbs/acre)	Amount
TID Ceres Main	Surface water	0.00	0.00	0.00	13.52	2,700,000.00 *gal*
Application event totals		0.00	0.00	0.00	13.52	

1 - 06/13/2023: Corn, silage

Application date	Application method	Precipitation 24 hours prior	Precipitation during application	Precipitation 24 hours following
08/16/2023	Surface (irrigation)	No precipitation	No precipitation	No precipitation

Source description	Material type	N (lbs/acre)	P (lbs/acre)	K (lbs/acre)	Salt (lbs/acre)	Amount
WWS	Process wastewater	41.39	5.61	93.84	553.27	255,000.00 *gal*
TID Ceres Main	Surface water	0.00	0.00	0.00	11.49	2,295,000.00 *gal*
Application event totals		41.39	5.61	93.84	564.76	

Application date	Application method	Precipitation 24 hours prior	Precipitation during application	Precipitation 24 hours following
08/27/2023	Surface (irrigation)	No precipitation	No precipitation	No precipitation

Source description	Material type	N (lbs/acre)	P (lbs/acre)	K (lbs/acre)	Salt (lbs/acre)	Amount
TID Ceres Main	Surface water	0.00	0.00	0.00	12.17	2,430,000.00 *gal*
Application event totals		0.00	0.00	0.00	12.17	

Application date	Application method	Precipitation 24 hours prior	Precipitation during application	Precipitation 24 hours following
09/07/2023	Surface (irrigation)	No precipitation	No precipitation	No precipitation

Source description	Material type	N (lbs/acre)	P (lbs/acre)	K (lbs/acre)	Salt (lbs/acre)	Amount
TID Ceres Main	Surface water	0.00	0.00	0.00	10.82	2,160,000.00 *gal*
Application event totals		0.00	0.00	0.00	10.82	

Application date	Application method	Precipitation 24 hours prior	Precipitation during application	Precipitation 24 hours following
09/18/2023	Surface (irrigation)	No precipitation	No precipitation	No precipitation

Source description	Material type	N (lbs/acre)	P (lbs/acre)	K (lbs/acre)	Salt (lbs/acre)	Amount
TID Ceres Main	Surface water	0.00	0.00	0.00	10.82	2,160,000.00 *gal*
Application event totals		0.00	0.00	0.00	10.82	

2 - 06/13/2023: Corn, silage

Field name: 2

Crop: Corn, silage

Plant date: 06/13/2023

Application date	Application method	Precipitation 24 hours prior	Precipitation during application	Precipitation 24 hours following
05/29/2023	Broadcast/incorporate	No precipitation	No precipitation	No precipitation

Source description	Material type	N (lbs/acre)	P (lbs/acre)	K (lbs/acre)	Salt (lbs/acre)	Amount
Corral Manure	Corral solids	149.61	29.21	147.25	9,412.22	310.00 *ton*
Application event totals		149.61	29.21	147.25	9,412.22	

2 - 06/13/2023: Corn, silage

Application date	Application method	Precipitation 24 hours prior	Precipitation during application	Precipitation 24 hours following
06/01/2023	Surface (irrigation)	No precipitation	No precipitation	No precipitation

Source description	Material type	N (lbs/acre)	P (lbs/acre)	K (lbs/acre)	Salt (lbs/acre)	Amount
WWS	Process wastewater	61.51	8.33	139.46	822.20	720,000.00 *gal*
TID Ceres Main	Surface water	0.00	0.00	0.00	17.08	6,480,000.00 *gal*
Application event totals		61.51	8.33	139.46	839.28	

Application date	Application method	Precipitation 24 hours prior	Precipitation during application	Precipitation 24 hours following
07/14/2023	Surface (irrigation)	No precipitation	No precipitation	No precipitation

Source description	Material type	N (lbs/acre)	P (lbs/acre)	K (lbs/acre)	Salt (lbs/acre)	Amount
TID Ceres Main	Surface water	0.00	0.00	0.00	14.94	5,670,000.00 *gal*
Application event totals		0.00	0.00	0.00	14.94	

Application date	Application method	Precipitation 24 hours prior	Precipitation during application	Precipitation 24 hours following
07/25/2023	Surface (irrigation)	No precipitation	No precipitation	No precipitation

Source description	Material type	N (lbs/acre)	P (lbs/acre)	K (lbs/acre)	Salt (lbs/acre)	Amount
WWS	Process wastewater	56.38	7.64	127.84	753.69	660,000.00 *gal*
TID Ceres Main	Surface water	0.00	0.00	0.00	15.65	5,940,000.00 *gal*
Application event totals		56.38	7.64	127.84	769.34	

Application date	Application method	Precipitation 24 hours prior	Precipitation during application	Precipitation 24 hours following
08/05/2023	Surface (irrigation)	No precipitation	No precipitation	No precipitation

Source description	Material type	N (lbs/acre)	P (lbs/acre)	K (lbs/acre)	Salt (lbs/acre)	Amount
TID Ceres Main	Surface water	0.00	0.00	0.00	14.23	5,400,000.00 *gal*
Application event totals		0.00	0.00	0.00	14.23	

Application date	Application method	Precipitation 24 hours prior	Precipitation during application	Precipitation 24 hours following
08/16/2023	Surface (irrigation)	No precipitation	No precipitation	No precipitation

Source description	Material type	N (lbs/acre)	P (lbs/acre)	K (lbs/acre)	Salt (lbs/acre)	Amount
WWS	Process wastewater	51.26	6.94	116.22	685.17	600,000.00 *gal*
TID Ceres Main	Surface water	0.00	0.00	0.00	14.23	5,400,000.00 *gal*
Application event totals		51.26	6.94	116.22	699.40	

2 - 06/13/2023: Corn, silage

Application date	Application method	Precipitation 24 hours prior	Precipitation during application	Precipitation 24 hours following
08/27/2023	Surface (irrigation)	No precipitation	No precipitation	No precipitation

Source description	Material type	N (lbs/acre)	P (lbs/acre)	K (lbs/acre)	Salt (lbs/acre)	Amount
TID Ceres Main	Surface water	0.00	0.00	0.00	12.81	4,860,000.00 *gal*
Application event totals		0.00	0.00	0.00	12.81	

Application date	Application method	Precipitation 24 hours prior	Precipitation during application	Precipitation 24 hours following
09/07/2023	Surface (irrigation)	No precipitation	No precipitation	No precipitation

Source description	Material type	N (lbs/acre)	P (lbs/acre)	K (lbs/acre)	Salt (lbs/acre)	Amount
TID Ceres Main	Surface water	0.00	0.00	0.00	13.52	5,130,000.00 *gal*
Application event totals		0.00	0.00	0.00	13.52	

Application date	Application method	Precipitation 24 hours prior	Precipitation during application	Precipitation 24 hours following
09/18/2023	Surface (irrigation)	No precipitation	No precipitation	No precipitation

Source description	Material type	N (lbs/acre)	P (lbs/acre)	K (lbs/acre)	Salt (lbs/acre)	Amount
TID Ceres Main	Surface water	0.00	0.00	0.00	13.52	5,130,000.00 *gal*
Application event totals		0.00	0.00	0.00	13.52	

3 - 06/13/2023: Corn, silage

Field name: 3

Crop: Corn, silage

Plant date: 06/13/2023

Application date	Application method	Precipitation 24 hours prior	Precipitation during application	Precipitation 24 hours following
05/29/2023	Broadcast/incorporate	No precipitation	No precipitation	No precipitation

Source description	Material type	N (lbs/acre)	P (lbs/acre)	K (lbs/acre)	Salt (lbs/acre)	Amount
Corral Manure	Corral solids	142.64	27.85	140.39	8,973.66	280.00 *ton*
Application event totals		142.64	27.85	140.39	8,973.66	

Application date	Application method	Precipitation 24 hours prior	Precipitation during application	Precipitation 24 hours following
06/02/2023	Surface (irrigation)	No precipitation	No precipitation	No precipitation

Source description	Material type	N (lbs/acre)	P (lbs/acre)	K (lbs/acre)	Salt (lbs/acre)	Amount
WWS	Process wastewater	59.51	8.06	134.94	795.56	660,000.00 *gal*
TID Ceres Main	Surface water	0.00	0.00	0.00	16.52	5,940,000.00 *gal*
Application event totals		59.51	8.06	134.94	812.08	

3 - 06/13/2023: Corn, silage

Application date	Application method	Precipitation 24 hours prior	Precipitation during application	Precipitation 24 hours following
07/15/2023	Surface (irrigation)	No precipitation	No precipitation	No precipitation

Source description	Material type	N (lbs/acre)	P (lbs/acre)	K (lbs/acre)	Salt (lbs/acre)	Amount
TID Ceres Main	Surface water	0.00	0.00	0.00	15.02	5,400,000.00 *gal*
Application event totals		0.00	0.00	0.00	15.02	

Application date	Application method	Precipitation 24 hours prior	Precipitation during application	Precipitation 24 hours following
07/26/2023	Surface (irrigation)	No precipitation	No precipitation	No precipitation

Source description	Material type	N (lbs/acre)	P (lbs/acre)	K (lbs/acre)	Salt (lbs/acre)	Amount
WWS	Process wastewater	51.40	6.96	116.54	687.07	570,000.00 *gal*
TID Ceres Main	Surface water	0.00	0.00	0.00	14.27	5,130,000.00 *gal*
Application event totals		51.40	6.96	116.54	701.34	

Application date	Application method	Precipitation 24 hours prior	Precipitation during application	Precipitation 24 hours following
08/06/2023	Surface (irrigation)	No precipitation	No precipitation	No precipitation

Source description	Material type	N (lbs/acre)	P (lbs/acre)	K (lbs/acre)	Salt (lbs/acre)	Amount
TID Ceres Main	Surface water	0.00	0.00	0.00	13.52	4,860,000.00 *gal*
Application event totals		0.00	0.00	0.00	13.52	

Application date	Application method	Precipitation 24 hours prior	Precipitation during application	Precipitation 24 hours following
08/17/2023	Surface (irrigation)	No precipitation	No precipitation	No precipitation

Source description	Material type	N (lbs/acre)	P (lbs/acre)	K (lbs/acre)	Salt (lbs/acre)	Amount
WWS	Process wastewater	48.69	6.60	110.40	650.91	540,000.00 *gal*
TID Ceres Main	Surface water	0.00	0.00	0.00	13.52	4,860,000.00 *gal*
Application event totals		48.69	6.60	110.40	664.43	

Application date	Application method	Precipitation 24 hours prior	Precipitation during application	Precipitation 24 hours following
08/28/2023	Surface (irrigation)	No precipitation	No precipitation	No precipitation

Source description	Material type	N (lbs/acre)	P (lbs/acre)	K (lbs/acre)	Salt (lbs/acre)	Amount
TID Ceres Main	Surface water	0.00	0.00	0.00	12.02	4,320,000.00 *gal*
Application event totals		0.00	0.00	0.00	12.02	

Application date	Application method	Precipitation 24 hours prior	Precipitation during application	Precipitation 24 hours following
09/08/2023	Surface (irrigation)	No precipitation	No precipitation	No precipitation

Source description	Material type	N (lbs/acre)	P (lbs/acre)	K (lbs/acre)	Salt (lbs/acre)	Amount
TID Ceres Main	Surface water	0.00	0.00	0.00	12.77	4,590,000.00 *gal*
Application event totals		0.00	0.00	0.00	12.77	

3 - 06/13/2023: Corn, silage

Application date	Application method	Precipitation 24 hours prior	Precipitation during application	Precipitation 24 hours following
09/19/2023	Surface (irrigation)	No precipitation	No precipitation	No precipitation

Source description	Material type	N (lbs/acre)	P (lbs/acre)	K (lbs/acre)	Salt (lbs/acre)	Amount
TID Ceres Main	Surface water	0.00	0.00	0.00	12.77	4,590,000.00 *gal*
Application event totals		0.00	0.00	0.00	12.77	

4 - 06/13/2023: Corn, silage

Field name: 4

Crop: Corn, silage

Plant date: 06/13/2023

Application date	Application method	Precipitation 24 hours prior	Precipitation during application	Precipitation 24 hours following
05/29/2023	Broadcast/incorporate	No precipitation	No precipitation	No precipitation

Source description	Material type	N (lbs/acre)	P (lbs/acre)	K (lbs/acre)	Salt (lbs/acre)	Amount
Corral Manure	Corral solids	141.98	27.72	139.74	8,932.30	240.00 *ton*
Application event totals		141.98	27.72	139.74	8,932.30	

06/02/2023	Surface (irrigation)	No precipitation	No precipitation	No precipitation

Source description	Material type	N (lbs/acre)	P (lbs/acre)	K (lbs/acre)	Salt (lbs/acre)	Amount
WWS	Process wastewater	62.83	8.51	142.46	839.88	600,000.00 *gal*
TID Ceres Main	Surface water	0.00	0.00	0.00	17.44	5,400,000.00 *gal*
Application event totals		62.83	8.51	142.46	857.33	

07/15/2023	Surface (irrigation)	No precipitation	No precipitation	No precipitation

Source description	Material type	N (lbs/acre)	P (lbs/acre)	K (lbs/acre)	Salt (lbs/acre)	Amount
TID Ceres Main	Surface water	0.00	0.00	0.00	15.70	4,860,000.00 *gal*
Application event totals		0.00	0.00	0.00	15.70	

4 - 06/13/2023: Corn, silage

Application date	Application method	Precipitation 24 hours prior	Precipitation during application	Precipitation 24 hours following
07/26/2023	Surface (irrigation)	No precipitation	No precipitation	No precipitation

Source description	Material type	N (lbs/acre)	P (lbs/acre)	K (lbs/acre)	Salt (lbs/acre)	Amount
WWS	Process wastewater	56.55	7.66	128.21	755.90	540,000.00 *gal*
TID Ceres Main	Surface water	0.00	0.00	0.00	15.70	4,860,000.00 *gal*
Application event totals		56.55	7.66	128.21	771.59	

08/06/2023	Surface (irrigation)	No precipitation	No precipitation	No precipitation

Source description	Material type	N (lbs/acre)	P (lbs/acre)	K (lbs/acre)	Salt (lbs/acre)	Amount
TID Ceres Main	Surface water	0.00	0.00	0.00	13.95	4,320,000.00 *gal*
Application event totals		0.00	0.00	0.00	13.95	

08/17/2023	Surface (irrigation)	No precipitation	No precipitation	No precipitation

Source description	Material type	N (lbs/acre)	P (lbs/acre)	K (lbs/acre)	Salt (lbs/acre)	Amount
WWS	Process wastewater	51.83	7.02	117.53	692.90	495,000.00 *gal*
TID Ceres Main	Surface water	0.00	0.00	0.00	14.39	4,455,000.00 *gal*
Application event totals		51.83	7.02	117.53	707.30	

08/28/2023	Surface (irrigation)	No precipitation	No precipitation	No precipitation

Source description	Material type	N (lbs/acre)	P (lbs/acre)	K (lbs/acre)	Salt (lbs/acre)	Amount
TID Ceres Main	Surface water	0.00	0.00	0.00	13.95	4,320,000.00 *gal*
Application event totals		0.00	0.00	0.00	13.95	

09/08/2023	Surface (irrigation)	No precipitation	No precipitation	No precipitation

Source description	Material type	N (lbs/acre)	P (lbs/acre)	K (lbs/acre)	Salt (lbs/acre)	Amount
TID Ceres Main	Surface water	0.00	0.00	0.00	13.08	4,050,000.00 *gal*
Application event totals		0.00	0.00	0.00	13.08	

09/19/2023	Surface (irrigation)	No precipitation	No precipitation	No precipitation

Source description	Material type	N (lbs/acre)	P (lbs/acre)	K (lbs/acre)	Salt (lbs/acre)	Amount
TID Ceres Main	Surface water	0.00	0.00	0.00	13.08	4,050,000.00 *gal*
Application event totals		0.00	0.00	0.00	13.08	

B. NUTRIENT BUDGET

1 - 06/13/2023: Corn, silage

Field name: 1 Crop: Corn, silage Plant date: 06/13/2023

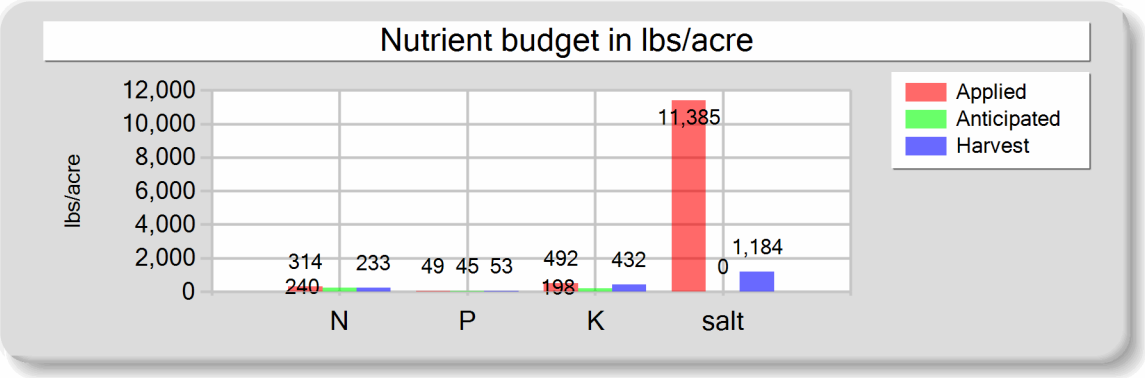

	Total N (lbs/acre)	Total P (lbs/acre)	Total K (lbs/acre)	Total salt (lbs/acre)
Existing soil nutrient content	0.00	0.00	0.00	0.00
Plowdown credit	0.00	0.00	0.00	0.00
Commercial fertilizer / Other	0.00	0.00	0.00	0.00
Dry manure	146.71	28.65	144.40	9,230.05
Process wastewater	153.38	20.78	347.77	2,050.37
Fresh water	0.00	0.00	0.00	104.77
Atmospheric deposition	14.00	0.00	0.00	0.00
Total nutrients applied	314.09	49.43	492.17	11,385.19
Anticipated crop nutrient removal	240.00	45.00	198.00	0.00
Actual crop nutrient removal	232.99	52.57	431.59	1,184.13
Nutrient balance	81.10	-3.14	60.59	10,201.06
Applied to removed ratio	1.35	0.94	1.14	9.61

Fresh water applied	
20,925,000.00	*gallons*
770.60	*acre-inches*
38.53	*inches/acre*

Process wastewater applied	
945,000.00	*gallons*
34.80	*acre-inches*
1.74	*inches/acre*

Total harvests for the crop	
1	*harvests*

2 - 06/13/2023: Corn, silage

Field name: 2 Crop: Corn, silage Plant date: 06/13/2023

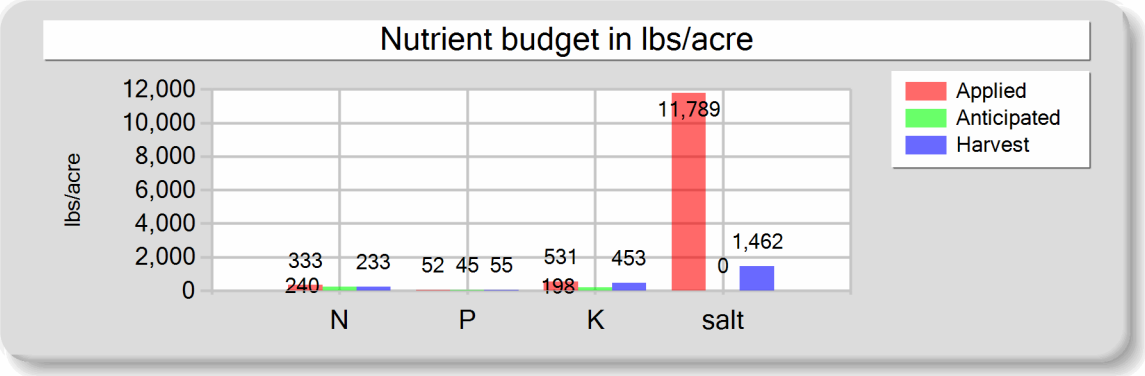

	Total N (lbs/acre)	Total P (lbs/acre)	Total K (lbs/acre)	Total salt (lbs/acre)
Existing soil nutrient content	0.00	0.00	0.00	0.00
Plowdown credit	0.00	0.00	0.00	0.00
Commercial fertilizer / Other	0.00	0.00	0.00	0.00
Dry manure	149.61	29.21	147.25	9,412.22
Process wastewater	169.14	22.91	383.51	2,261.06
Fresh water	0.00	0.00	0.00	115.98
Atmospheric deposition	14.00	0.00	0.00	0.00
Total nutrients applied	332.75	52.13	530.76	11,789.25
Anticipated crop nutrient removal	240.00	45.00	198.00	0.00
Actual crop nutrient removal	232.50	55.18	452.60	1,461.66
Nutrient balance	100.25	-3.05	78.16	10,327.59
Applied to removed ratio	1.43	0.94	1.17	8.07

Fresh water applied	
44,010,000.00	*gallons*
1,620.74	*acre-inches*
42.65	*inches/acre*

Process wastewater applied	
1,980,000.00	*gallons*
72.92	*acre-inches*
1.92	*inches/acre*

Total harvests for the crop	
1	*harvests*

3 - 06/13/2023: Corn, silage

Field name: 3 Crop: Corn, silage Plant date: 06/13/2023

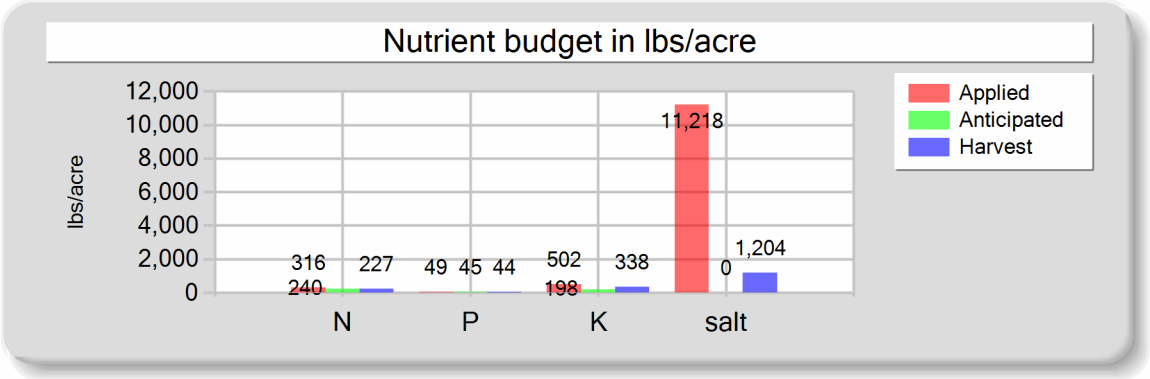

	Total N (lbs/acre)	Total P (lbs/acre)	Total K (lbs/acre)	Total salt (lbs/acre)
Existing soil nutrient content	0.00	0.00	0.00	0.00
Plowdown credit	0.00	0.00	0.00	0.00
Commercial fertilizer / Other	0.00	0.00	0.00	0.00
Dry manure	142.64	27.85	140.39	8,973.66
Process wastewater	159.61	21.62	361.88	2,133.54
Fresh water	0.00	0.00	0.00	110.40
Atmospheric deposition	14.00	0.00	0.00	0.00
Total nutrients applied	316.24	49.48	502.27	11,217.60
Anticipated crop nutrient removal	240.00	45.00	198.00	0.00
Actual crop nutrient removal	226.85	44.45	338.25	1,204.09
Nutrient balance	89.39	5.03	164.02	10,013.51
Applied to removed ratio	1.39	1.11	1.48	9.32

Fresh water applied	
39,690,000.00	*gallons*
1,461.65	*acre-inches*
40.60	*inches/acre*

Process wastewater applied	
1,770,000.00	*gallons*
65.18	*acre-inches*
1.81	*inches/acre*

Total harvests for the crop	
1	*harvests*

4 - 06/13/2023: Corn, silage

Field name: 4 Crop: Corn, silage Plant date: 06/13/2023

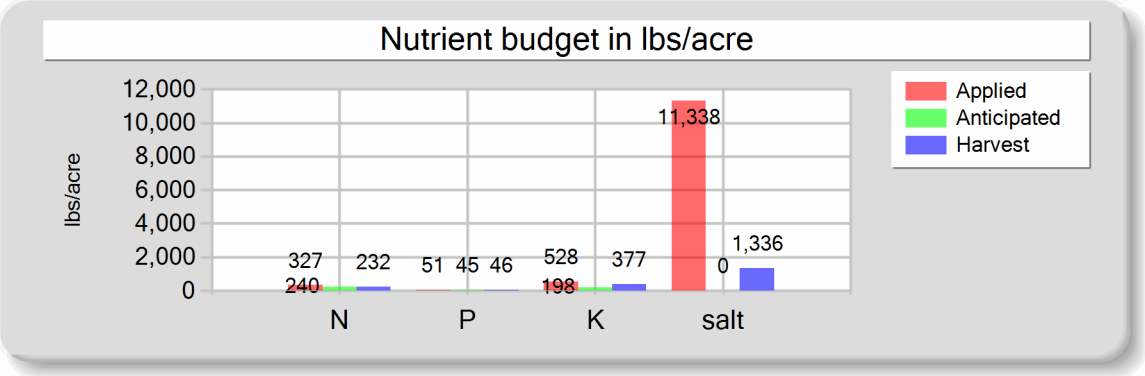

	Total N (lbs/acre)	Total P (lbs/acre)	Total K (lbs/acre)	Total salt (lbs/acre)
Existing soil nutrient content	0.00	0.00	0.00	0.00
Plowdown credit	0.00	0.00	0.00	0.00
Commercial fertilizer / Other	0.00	0.00	0.00	0.00
Dry manure	141.98	27.72	139.74	8,932.30
Process wastewater	171.21	23.19	388.20	2,288.68
Fresh water	0.00	0.00	0.00	117.31
Atmospheric deposition	14.00	0.00	0.00	0.00
Total nutrients applied	327.19	50.92	527.94	11,338.30
Anticipated crop nutrient removal	240.00	45.00	198.00	0.00
Actual crop nutrient removal	231.58	45.79	377.47	1,336.12
Nutrient balance	95.60	5.13	150.47	10,002.17
Applied to removed ratio	1.41	1.11	1.40	8.49

Fresh water applied	
36,315,000.00	*gallons*
1,337.36	*acre-inches*
43.14	*inches/acre*

Process wastewater applied	
1,635,000.00	*gallons*
60.21	*acre-inches*
1.94	*inches/acre*

Total harvests for the crop	
1	*harvests*

NUTRIENT ANALYSES

A. MANURE ANALYSES

Corral Manure

Sample and source description: Corral Manure

Sample date: 06/02/2023 Material type: Corral solids Source of analysis: Lab analysis Method of reporting: Dry-weight

Moisture: 27.8 %

	Total N (mg/kg)	Total P (mg/kg)	Total K (mg/kg)	Calcium (mg/kg)	Magnesium (mg/kg)	Sodium (mg/kg)	Sulfur (mg/kg)	Chloride (mg/kg)	Total salt (mg/kg)	TFS (%)
Value	12,700.00	2,480.00	12,500.00							79.90
DL	100.00	100.00	100.00							0.01

Corral Solids

Sample and source description: Corral Solids

Sample date: 10/27/2023 Material type: Corral solids Source of analysis: Lab analysis Method of reporting: Dry-weight

Moisture: 6.4 %

	Total N (mg/kg)	Total P (mg/kg)	Total K (mg/kg)	Calcium (mg/kg)	Magnesium (mg/kg)	Sodium (mg/kg)	Sulfur (mg/kg)	Chloride (mg/kg)	Total salt (mg/kg)	TFS (%)
Value	14,300.00	3,850.00	15,800.00							71.40
DL	100.00	100.00	100.00							0.01

Separateo Solids

Sample and source description: Separateo Solids

Sample date: 10/27/2023 Material type: Separator solids Source of analysis: Lab analysis Method of reporting: Dry-weight

Moisture: 53.3 %

	Total N (mg/kg)	Total P (mg/kg)	Total K (mg/kg)	Calcium (mg/kg)	Magnesium (mg/kg)	Sodium (mg/kg)	Sulfur (mg/kg)	Chloride (mg/kg)	Total salt (mg/kg)	TFS (%)
Value	7,900.00	1,900.00	3,940.00							64.40
DL	100.00	100.00	100.00							0.01

B. PROCESS WASTEWATER ANALYSES

WWQ2

Sample and source description: WWQ2

Sample date: 06/02/2023 Material type: Process wastewater Source of analysis: Lab analysis pH: 0.00

	Kjeldahl-N (mg/L)	NH4-N (mg/L)	NH3-N (mg/L)	Nitrate-N (mg/L)	Total P (mg/L)	Total K (mg/L)	Calcium (mg/L)	Magnes. (mg/L)	Sodium (mg/L)	Bicarb. (mg/L)	Carb. (mg/L)	Sulfate (mg/L)	Chloride (mg/L)	EC (µmhos/cm)	TDS (mg/L)
Value	2,230.00	454.00	0.00	0.00	49.70	1,310.00	257.00	222.00	483.00	7,100.00	0.00	437.00	501.00	8,770.00	9,220
DL	0.50	0.50	0.50	0.50	0.50	0.50	0.50	0.50	0.50	0.50	2.00	1.00	0.10	1.00	10

WWQ3

Sample and source description: WWQ3

Sample date: 07/27/2023 Material type: Process wastewater Source of analysis: Lab analysis pH: 0.00

	Kjeldahl-N (mg/L)	NH4-N (mg/L)	NH3-N (mg/L)	Nitrate-N (mg/L)	Total P (mg/L)	Total K (mg/L)	Calcium (mg/L)	Magnes. (mg/L)	Sodium (mg/L)	Bicarb. (mg/L)	Carb. (mg/L)	Sulfate (mg/L)	Chloride (mg/L)	EC (µmhos/cm)	TDS (mg/L)
Value	389.00	277.00	0.00	0.00	52.70	882.00								6,210.00	5,200
DL	0.50	0.50	0.50	0.50	0.50	0.50								1.00	10

WWQ4

Sample and source description: WWQ4

Sample date: 10/31/2023 Material type: Process wastewater Source of analysis: Lab analysis pH: 0.00

	Kjeldahl-N (mg/L)	NH4-N (mg/L)	NH3-N (mg/L)	Nitrate-N (mg/L)	Total P (mg/L)	Total K (mg/L)	Calcium (mg/L)	Magnes. (mg/L)	Sodium (mg/L)	Bicarb. (mg/L)	Carb. (mg/L)	Sulfate (mg/L)	Chloride (mg/L)	EC (µmhos/cm)	TDS (mg/L)
Value	280.00	151.00	0.00	0.00	56.10	370.00								3,080.00	2,420
DL	0.50	0.50	0.50	0.50	0.50	0.50								1.00	10

C. FRESH WATER ANALYSES

TID Ceres Main

TID Ceres Main

TID Ceres Main

Sample description: TID Ceres Main

Sample date: 07/25/2023 Source of analysis: Lab analysis

	Total N (mg/L)	NH4-N (mg/L)	Nitrate-N (mg/L)	Calcium (mg/L)	Magnesium (mg/L)	Sodium (mg/L)	Bicarbonate (mg/L)	Carbonate (mg/L)	Sulfate (mg/L)	Chloride (mg/L)	EC (µmhos/cm)	TDS (mg/L)
Value	0.00	0.00	0.00								30.30	12
DL	1.00	0.50	0.50								10.00	10

D. SOIL ANALYSES

1

Soil

Sample and source description: Soil

Sample date: 10/05/2023 Source of analysis: Lab analysis

	Nitrate-N (mg/kg)	Total P (mg/kg)	Soluble P (mg/kg)	K (mg/kg)	EC (µmhos/cm)	Organic matter (%)	Total salt (mg/kg)
Value			63.00				
DL			4.00				

2

Soil

Sample and source description: Soil

Sample date: 10/05/2023 Source of analysis: Lab analysis

	Nitrate-N (mg/kg)	Total P (mg/kg)	Soluble P (mg/kg)	K (mg/kg)	EC (µmhos/cm)	Organic matter (%)	Total salt (mg/kg)
Value			121.00				
DL			4.00				

3

3

Soil

Sample and source description: Soil

Sample date: 10/05/2023 Source of analysis: Lab analysis

	Nitrate-N (mg/kg)	Total P (mg/kg)	Soluble P (mg/kg)	K (mg/kg)	EC (µmhos/cm)	Organic matter (%)	Total salt (mg/kg)
Value			90.00				
DL			4.00				

4

Soil

Sample and source description: Soil

Sample date: 10/05/2023 Source of analysis: Lab analysis

	Nitrate-N (mg/kg)	Total P (mg/kg)	Soluble P (mg/kg)	K (mg/kg)	EC (µmhos/cm)	Organic matter (%)	Total salt (mg/kg)
Value			110.00				
DL			4.00				

E. PLANT TISSUE ANALYSES

1 - 06/13/2023: Corn, silage

Corn Silage

Sample and source description: Corn Silage

Sample date: 10/05/2023 Source of analysis: Lab analysis Method of reporting: As-is

Moisture: 71.8 %

	Total N (mg/kg)	Total P (mg/kg)	Total K (mg/kg)	Total salt (mg/kg)	TFS (%)
Value	3,590.00	810.00	6,650.00		6.47
DL	100.00	100.00	100.00		0.01

2 - 06/13/2023: Corn, silage

2 - 06/13/2023: Corn, silage

Corn Silage

Sample and source description: Corn Silage

Sample date: 10/05/2023 Source of analysis: Lab analysis Method of reporting: As-is

Moisture: 71.8 %

	Total N (mg/kg)	Total P (mg/kg)	Total K (mg/kg)	Total salt (mg/kg)	TFS (%)
Value	3,750.00	890.00	7,300.00		8.36
DL	100.00	100.00	100.00		0.01

3 - 06/13/2023: Corn, silage

Corn Silage

Sample and source description: Corn Silage

Sample date: 10/05/2023 Source of analysis: Lab analysis Method of reporting: As-is

Moisture: 70.2 %

	Total N (mg/kg)	Total P (mg/kg)	Total K (mg/kg)	Total salt (mg/kg)	TFS (%)
Value	3,930.00	770.00	5,860.00		7.00
DL	100.00	100.00	100.00		0.01

4 - 06/13/2023: Corn, silage

Corn Silage

Sample and source description: Corn Silage

Sample date: 10/05/2023 Source of analysis: Lab analysis Method of reporting: As-is

Moisture: 70.4 %

	Total N (mg/kg)	Total P (mg/kg)	Total K (mg/kg)	Total salt (mg/kg)	TFS (%)
Value	3,540.00	700.00	5,770.00		6.90
DL	100.00	100.00	100.00		0.01

F. SUBSURFACE (TILE) DRAINAGE ANALYSES

No subsurface (tile) drainage analyses entered.

NUTRIENT APPLICATIONS, POTENTIAL REMOVAL, AND BALANCE

A. SUMMARY OF NUTRIENT APPLICATIONS, POTENTIAL REMOVAL, AND BALANCE

	Total N (lbs)	Total P (lbs)	Total K (lbs)	Total salt (lbs)
Existing soil nutrient content	0.00	0.00	0.00	0.00
Plowdown credit	0.00	0.00	0.00	0.00
Commercial fertilizer / Other	0.00	0.00	0.00	0.00
Dry manure	18,155.41	3,545.31	17,869.50	1,142,218.44
Process wastewater	20,548.48	2,783.82	46,590.64	274,684.02
Fresh water	0.00	0.00	0.00	14,113.73
Atmospheric deposition	1,750.00	0.00	0.00	0.00
Total nutrients applied	40,453.89	6,329.13	64,460.14	1,431,016.19
Anticipated crop nutrient removal	30,000.00	5,625.00	24,750.00	0.00
Actual crop nutrient removal	28,840.48	6,167.88	49,709.14	163,992.65
Nutrient balance	11,613.41	161.25	14,751.00	1,267,023.54
Applied to removed ratio	1.40	1.03	1.30	8.73

B. POUNDS OF NUTRIENT APPLIED VS. CROP REMOVAL

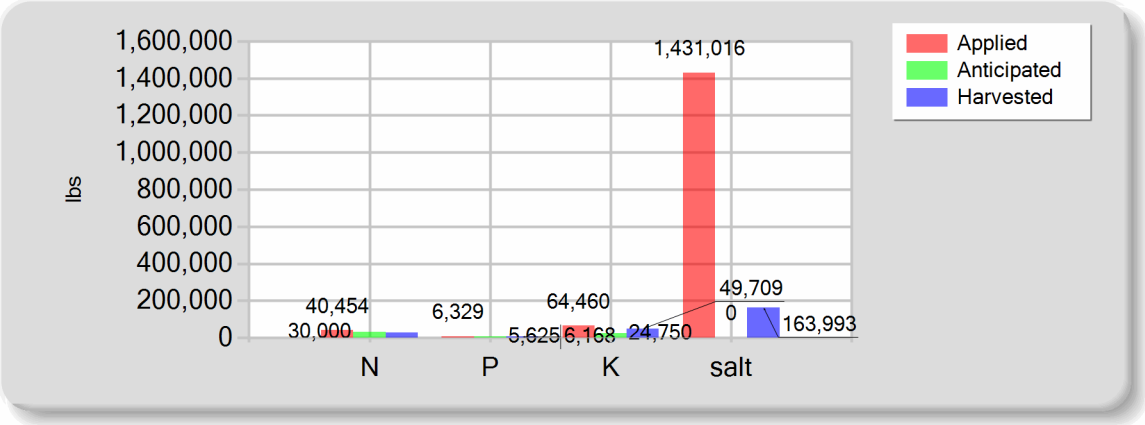

C. POUNDS OF NUTRIENT APPLIED BY MATERIAL TYPE

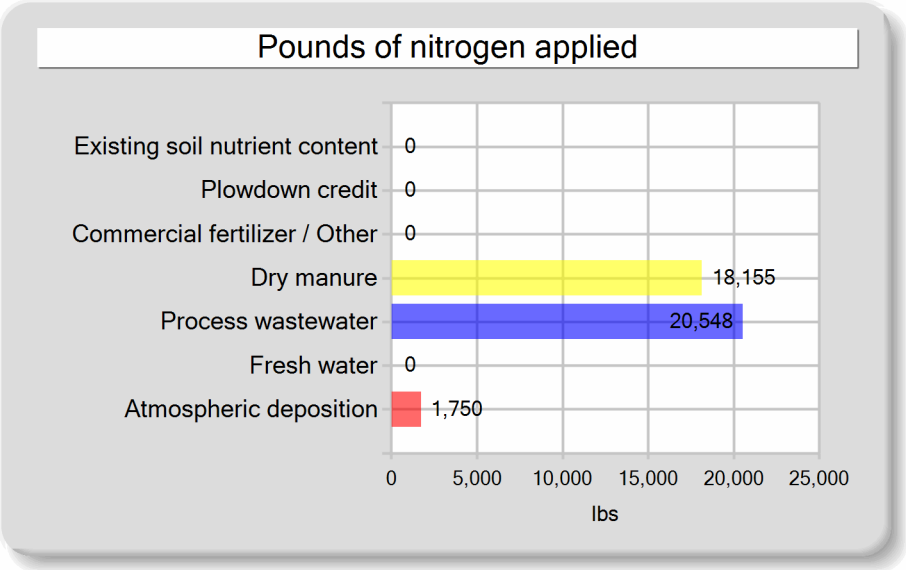

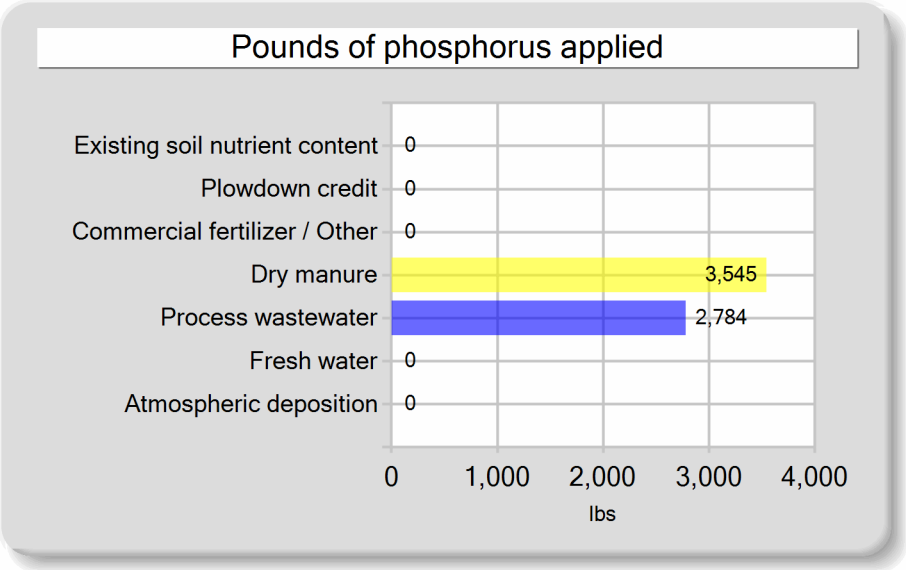

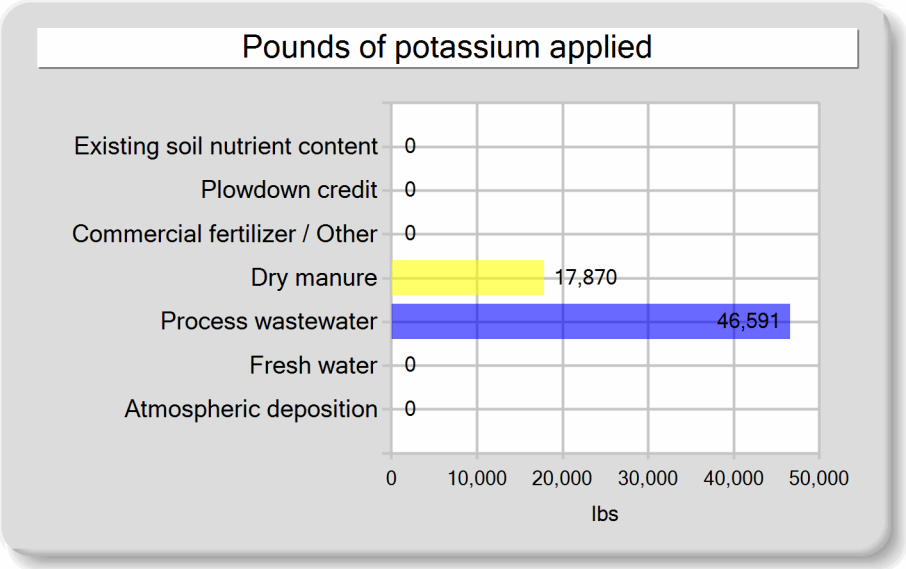

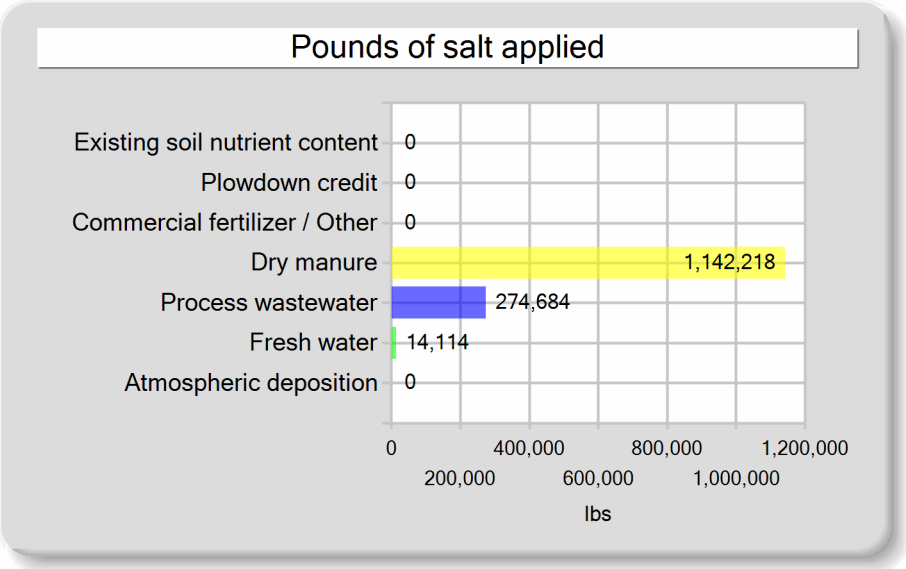

EXCEPTION REPORTING

A. MANURE, PROCESS WASTEWATER, AND OTHER DAIRY WASTE DISCHARGES

The following is a summary of all manure and process wastewater discharges from the production area to surface water or to land areas (land application areas or otherwise) when not in accordance with the facility's Nutrient Management Plan.

No manure or process wastewater discharges occurred during the reporting period.

B. STORM WATER DISCHARGES

The following is a summary of all storm water discharges from the production area to surface water during the reporting period when not in accordance with the facility 's Nutrient Management Plan.

No stormwater discharges occurred during the reporting period.

C. LAND APPLICATION AREA TO SURFACE WATER DISCHARGES

The following is a summary of all discharges from the land application area to surface water that have occurred during the reporting period when not in accordance with the facility's Nutrient Management Plan.

No land application area to surface water discharges occurred during the reporting period.

NUTRIENT MANAGEMENT PLAN AND EXPORT AGREEMENT STATEMENTS

A. NUTRIENT MANAGEMENT PLAN STATEMENTS

Was the facility's NMP updated in the reporting period?	No
Was the facility's NMP developed by a certified nutrient management planner (specialist) as specified in Attachment C of the General Order?	Yes
Was the facility's NMP approved by a certified nutrient management planner (specialist) as specified in Attachment C of the General Order?	Yes

B. EXPORT AGREEMENT STATEMENT

Are there any written agreements with third parties to receive manure or process wastewater that are new or were revised within the reporting period?	No

ADDITIONAL NOTES

A. NOTES

This Annual Report represents all activity from 6/1/2023 through 12/31/2023 as that is when the Transfer of Operator occurred. All applications and activity prior to this period were unavailable to include in this report.

Annual Report - General Order No. R5-2007-0035
Reporting period 01/01/2023 to 12/31/2023.

CERTIFICATION

A. OWNER AND/OR OPERATOR CERTIFICATION

I certify under penalty of law that I have personally examined and am familiar with the information submitted in this document and all attachments and that, based on my inquiry of those individuals immediately responsible for obtaining the information, I believe that the information is true, accurate, and complete. I am aware that there are significant penalties for submitting false information, including the possibility of fine and imprisonment.

Rose Meneses Rose Meneses (May 22, 2024 19:24 PDT)	
SIGNATURE OF OWNER OF FACILITY	SIGNATURE OF OPERATOR OF FACILITY
Rose Marie (Antonio Paim Meneses Testamentary Trust) Meneses	Dominic Assali
PRINT OR TYPE NAME	PRINT OR TYPE NAME
May 22, 2024	5/22/24
DATE	DATE

ATTACHMENTS

A. REQUIRED ATTACHMENTS

The following lists the required documents that should be attached to the Annual Report when submitted .

Annual Dairy Facility Assessment
Provide an Annual Dairy Facility Assessment (an update to the Preliminary Dairy Facility Assessment in Attachment A) for each reporting period. On the PDFA Final page, click on the ADFA Report button to generate an ADFA report after updating information as needed .

Manure/Process Wastewater Tracking Manifests
Provide copies of all manure/process wastewater tracking manifests for the reporting period, signed by both the owner/operator and the hauler.

Corrective Actions Documents
Provide records documenting any corrective actions taken to correct deficiencies noted as a result of the inspections required in the Monitoring Requirements of the General Order. Deficiencies not corrected in 30 days must be accompanied by an explanation of the factors preventing immediate correction.

Groundwater Monitoring
Dischargers that monitor supply wells or subsurface (tile) drainage systems, or that have monitoring well systems must submit monitoring results as directed in the General Order, Groundwater Reporting Section starting on page MRP-13.

Storm Water Monitoring
Dischargers that are required to monitor storm water more frequently than required in the General Order must submit monitoring results as directed in the General Order, Storm Water Reporting Section on page MRP-14.

Denele Analytical, Inc.

865 South Kilroy Avenue Turlock, CA 95380
Phone (209) 634-9055 - Fax (209) 634-9057

www.denelelabs.com

40 N. East Street, Woodland, CA 95776
Phone (530) 666-9056 - Fax (530) 666-9058

Compliance Analysis Report

Customer
Double D Dairy
1441 E. Monte Vista
Ceres, CA 95307

Grower

Consultant:
F & R Ag Services
2857 Geer Rd. Ste A
Turlock, CA 95382

PURCHASE ORDER: Dairy #4
RECEIVED DATE: 12/28/23 9:00 AM
SUBMITTED BY: Sean
ANALYZED DATE: 12/28/23

Irrigation/ Ground Water (H1)
SOURCE: Well Water

NOTES: Temperature was above qualifying at 8.6c

Sample ID	Lab ID	Analyte	Method Ref	Result	Units
DW-Meneses	T3362005A	Electrical Conductivity (EC)	EPA 120.1 and	0.542	mmhos/cm
		Nitrate Nitrogen (NO3-N)	EPA 353.2	0.675	mg/L
		Ammonia Nitrogen (NH3-N)	SM 4500-NH3 D,C	< 0.500	mg/L
		Soluble Salts (SALT-SOL)	Calculation	347	mg/L

Laboratory Quality Control	LCS %	MS %	MSD %	RPD %
Ammonia Nitrogen (NH3-N)	91.2	91.0 (T3362002A)	93.4 (T3362002A)	2.60
Electrical Conductivity (EC)	97.0			0.019
Nitrate Nitrogen (NO3-N)	100	155 (T3362002A)	150 (T3362002A)	3.10

The warranty of Denele Analytical is limited to the accuracy of the analyses of the samples as received. Denele Analytical assumes no responsibility for which the customer uses our test results, nor liability for any other warranties, express or implied. These terms and conditions shall supercede any conflicting terms and conditions submitted on customer purchase orders or other forms submitted for work.

ELAP Certificate No.: 2714

DENELE ANALYTICAL, INC.

865 S. KILROY
TURLOCK, CA 95380

PH# 209-634-9055 FAX# 209-634-9057

DAIRY COMPLIANCE

Client: DOUBLE D DAIRY

Mailing address: (not facility address) CERES CA

Phone#:

Authorized Copy Released To: F+R AG

Sampled By: DOMINIC

Project ID: DAIRY #4

ANALYSIS TO BE COMPLETED:

IRRIGATION/GROUND WATER
- **H1** EC*, NO3-N, NH4-N*
- **H6** EC, TN, TDS
- **H7** Combination of H1 & H6
- **H14** EC, NO3-N, NH4-N, Ca, Mg, Na, Bicarb Carb, SO4, Cl, TDS

PROCESS WASTE WATER
- **H3** EC*, NH4-N, TKN, TP, K, TDS
- **H4** EC*, NO3-N, NH4-N, TKN, TP, K, TDS
- **H5** Ca, Mg, Na, Bicarb, Carb, SO4, Cl
- **H8** Combination of H3 &H5
- **H9** Combination of H4 &H5

TILE DRAIN
- **H2** EC*, NO3-N, TP, NH4-N*, TDS

** Required Field Measurement*

___ (Check here if performed)

DISCHARGE WATER
- **E1** EC*, Temp*, pH*, NO3-N, NH4-N, TKN, TP, K, TDS, Dissolved Oxygen*, BOD 5, TSS, Total & Fecal Coliforms
- **E2** EC,* Temp*, pH*, NO3-N, NH4-N*, Turbidity, TP, Dissolved Oxygen*, Total & Fecal Coliforms
- **E3** EC*, Temp*, pH*, NO3-N, NH4-N*, TP, Total & Fecal Coliforms
- **E4** EC*, Temp*, pH*, NO3-N, NH4-N*, Turbidity, TP, Total & Fecal Coliform

MANURE
- **M1** % Moisture
- **M3** TN TP, K, % Moisture
- **M4** Ca, Mg, Na, Bicarb, Carb, SO4, Cl, Ash
- **M7** Combination of M3 & M4

PLANT TISSUE
- **F18** % Moisture, Ash, TN, P, K, DM and as received
- **F18+** % Moisture, Ash, TN, P, K, DM and as received (Package also includes NIR DCAD)
- **F19+** % Moisture, TN (Package includes complete plant tissue analysis)

SOIL
- **K3** Soluble Phosphorus
- **K4** 1ft NO3, Organic Matter
- **K5** Pre-Plant (2ft NO3), Fall (1-2ft NO3), Fall (2-3ft NO3)
- **K6** 0-1ft EC, NO3, Soluble P, K, Organic Matter
- **K7** Combination of K3 & K4
- **K8** Combination of K3 & K5

	Date Collected	Time Collected	Sample ID	Description	Temp	Well Purge	H1	H3	M3	F18	OTHER
1	12/27/23	12:25	DW - MENESES	DOMESTIC	8.6°C		X				
2											
3											
4											
5											
6											
7											
8											
9											
10											

Analysis

CHAIN OF CUSTODY RECORDING

	Signature	Company	Received Date & Time	Relinquished Date & Time	(LABORATORY USE ONLY) Logged in By:	LABORATORY NUMBER
1st		F+R				
2nd		DENELE ANALYTICAL, INC.	12:28:23 9:00			T3362005

Required to be submitted to any agency? (YES / NO)

2023 Double D #4 Annual Report

Final Audit Report 2024-05-23

Created:	2024-05-22
By:	Sean Locke (slocke@fragservices.com)
Status:	Signed
Transaction ID:	CBJCHBCAABAAe1JaqIiW3_F060BJstSfVeFxkAvsExAl

"2023 Double D #4 Annual Report" History

Document created by Sean Locke (slocke@fragservices.com)
2024-05-22 - 6:04:52 PM GMT

Document emailed to meneses.rose@gmail.com for signature
2024-05-22 - 6:06:10 PM GMT

Email viewed by meneses.rose@gmail.com
2024-05-22 - 6:43:03 PM GMT

Signer meneses.rose@gmail.com entered name at signing as Rose Meneses
2024-05-23 - 2:24:39 AM GMT

Document e-signed by Rose Meneses (meneses.rose@gmail.com)
Signature Date: 2024-05-23 - 2:24:41 AM GMT - Time Source: server

Agreement completed.
2024-05-23 - 2:24:41 AM GMT