Annual Report - General Order No. R5-2007-0035
Reporting period 01/01/2023 to 12/31/2023.

DAIRY FACILITY INFORMATION

A. NAME OF DAIRY OR BUSINESS OPERATING THE DAIRY: B & D Dairy

Physical address of dairy:

9579 Hultberg RD	Hilmar	Merced	95324
Number and Street	City	County	Zip Code

Street and nearest cross street (if no address):

Date facility was originally placed in operation: 01/01/1930

Regional Water Quality Control Board Basin Plan designation: San Joaquin River Basin

County Assessor Parcel Number(s) for dairy facility:

X045-X130-X039-XXXX

B. OPERATORS

Huff, Eric

Operator name: Huff, Eric

Telephone no.: Landline: ; Cellular: (209) 652-3534

23467 Short AVE	Hilmar	CA	95324
Mailing Address Number and Street	City	State	Zip Code

This operator is responsible for paying permit fees.

C. OWNERS

Huff, Eric

Legal owner name: Huff, Eric

Telephone no.: Landline: ; Cellular: (209) 652-3534

23467 Short AVE	Hilmar	CA	95324
Mailing Address Number and Street	City	State	Zip Code

This owner is responsible for paying permit fees.

Huff, Finley & Barbara

Legal owner name:	Huff, Finley & Barbara	Telephone no.:	(209) 667-1781	(209) 632-5941
			Landline	Cellular
9579 Hultberg RD	Hilmar		CA	95324
Mailing Address Number and Street	City		State	Zip Code

AVAILABLE NUTRIENTS

A. HERD INFORMATION

	Milk Cows	Dry Cows	Bred Heifers (15-24 mo.)	Heifers (7-14 mo. to breeding)	Calves (4-6 mo.)	Calves (0-3 mo.)
Number open confinement	0	0	250	150	0	0
Number under roof	0	150	350	300	0	0
Maximum number	0	150	600	450	0	0
Average number	0	150	600	450	0	0
Avg live weight (lbs)	0	1,400	1,000	750		

Predominant milk cow breed: Holstein

Average milk production: 1 *pounds per cow per day*

B. MANURE GENERATED

Total manure excreted by the herd: 12,768.14 *tons per reporting period*

Total nitrogen from manure: 127,020.00 *lbs per reporting period*

After ammonia losses (30% loss applied): 88,914.00 *lbs per reporting period*

Total phosphorus from manure: 20,476.50 *lbs per reporting period*

Total potassium from manure: 1.00 *lbs per reporting period*

Total salt from manure: 34,492.50 *lbs per reporting period*

C. PROCESS WASTEWATER GENERATED

Process wastewater generated: 11,489,050 *gallons*

Total nitrogen generated: 28,147.03 *lbs*

Total phosphorus generated: 11,990.46 *lbs*

Total potassium generated: 222,249.33 *lbs*

Total salt generated: 724,853.96 *lbs*

	25,556,208	*gallons applied*
+	0	*gallons exported*
-	14,067,158	*gallons imported*
=	11,489,050	*gallons generated*

D. FRESH WATER SOURCES

Source Description	Type
Canal	Surface water
Irrigation Well	Ground water

E. SUBSURFACE (TILE) DRAINAGE SOURCES

No subsurface (tile) drainage sources entered.

F. NUTRIENT IMPORTS

No dry manure nutrient imports entered.

Date	Material type / Description	Quantity	N (mg/L)	P (mg/L)	K (mg/L)	Salt (mg/L)	TDS (mg/L)
01/01/2023	Process wastewater *WW-GMA #1*	330,967.00 *gal*	543.00	63.40	885.00		7,460
01/01/2023	Process wastewater *WW-GMA #1*	330,967.00 *gal*	543.00	63.40	885.00		7,460
01/01/2023	Process wastewater *WW-GMA #1*	749,032.00 *gal*	543.00	63.40	885.00		7,460
01/01/2023	Process wastewater *WW-GMA #1*	749,032.00 *gal*	543.00	63.40	885.00		7,460
01/01/2023	Process wastewater *WW-KVF #2*	800,000.00 *gal*	307.00	60.50	419.00		2,360
01/01/2023	Process wastewater *WW-KVF #2*	650,700.00 *gal*	307.00	60.50	419.00		2,360
01/01/2023	Process wastewater *WW-N & C*	226,000.00 *gal*	940.00	117.00	1,220.00		9,200
01/01/2023	Process wastewater *WW-N & C*	312,050.00 *gal*	940.00	117.00	1,220.00		9,200
03/03/2023	Process wastewater *WW-KVF #2*	985,500.00 *gal*	431.00	73.60	590.00		3,260
04/05/2023	Process wastewater *WW-KVF #2*	1,280,900.00 *gal*	385.00	59.70	563.00		2,570
06/16/2023	Process wastewater *WW-KVF #2*	887,500.00 *gal*	385.00	59.70	563.00		2,570
06/16/2023	Process wastewater *WW-N & C*	215,780.00 *gal*	940.00	117.00	1,220.00		9,200
06/27/2023	Process wastewater *WW-GMA #1*	1,080,000.00 *gal*	484.00	44.60	972.00		4,400
06/27/2023	Process wastewater *WW-KVF #2*	1,107,500.00 *gal*	385.00	59.70	563.00		2,570
06/27/2023	Process wastewater *WW-N & C*	167,590.00 *gal*	940.00	117.00	1,220.00		9,200

07/05/2023	Process wastewater *WW-KVF #2*	725,190.00 *gal*	385.00	59.70	563.00		2,570
07/05/2023	Process wastewater *WW-N & C*	220,150.00 *gal*	940.00	117.00	1,220.00		9,200
07/06/2023	Process wastewater *WW-GMA #1*	920,000.00 *gal*	484.00	44.60	972.00		4,400
07/13/2023	Process wastewater *WW-N & C*	122,500.00 *gal*	940.00	117.00	1,220.00		9,200
07/14/2023	Process wastewater *WW-KVF #2*	1,005,800.00 *gal*	385.00	59.70	563.00		2,570
07/15/2023	Process wastewater *WW-GMA #1*	1,200,000.00 *gal*	484.00	44.60	972.00		4,400

Date	Material type / Description	Quantity	Reporting basis	Moisture (%)	N (%)	P (%)	K (%)	Salt (%)
04/01/2023	Solid commercial fertilizer *UN32*	50.58 *ton*	Dry-weight	0.1	32.000000	0.000000	0.000000	0.000000

Material type	Total N (lbs)	Total P (lbs)	Total K (lbs)	Total salt (lbs)
Commercial fertilizer / Other	32,338.83	0.00	0.00	0.00
Dry manure	0.00	0.00	0.00	0.00
Process wastewater	55,975.53	7,400.11	88,226.10	511,774.80
Total imports for all materials	88,314.36	7,400.11	88,226.10	511,774.80

G. NUTRIENT EXPORTS

Date	Material type	Quantity	Reporting basis	Moisture (%)	Density (lbs/cu ft)	N (mg/kg)	P (mg/kg)	K (mg/kg)	Salt (mg/kg)	TFS (%)
05/15/2023	Separator solids	800.00 *ton*	Dry-weight	49.2		11,900.00	3,200.00	6,900.00		70.10
09/22/2023	Corral solids	1,000.00 *ton*	Dry-weight	33.9		15,100.00	5,900.00	47,900.00		56.80

No liquid nutrient exports entered.

Material type	Total N (lbs)	Total P (lbs)	Total K (lbs)	Total salt (lbs)
Dry manure	29,634.52	10,400.76	68,932.12	1,320,668.80
Process wastewater	0.00	0.00	0.00	0.00
Total exports for all materials	29,634.52	10,400.76	68,932.12	1,320,668.80

APPLICATION AREA

A. LIST OF LAND APPLICATION AREAS

Field name	Controlled acres	Cropable acres	Total harvests	Type of waste applied	Parcel number
1	21	21	1	none	X057-X018-X002-XXXX
2	37	37	1	none	X045-X013-X025-XXXX
3	38	38	2	process wastewater	X045-X013-X039-XXXX
4	86	86	2	process wastewater	X045-X013-X041-XXXX
5	37	37	1	none	X057-X017-X008-XXXX
6	18	18	2	process wastewater	X057-X016-X008-XXXX
7	55	55	2	process wastewater	X045-X013-X009-XXXX X045-X013-X051-XXXX
8	66	66	2	manure	X057-X018-X001-XXXX
Totals for areas that were used for application	263	263	10		
Totals for areas that were not used for application	95	95	3		
Land application area totals	358	358	13		

B. CROPS AND HARVESTS

1

Field name: 1

01/01/2023: Almond, in shell

Crop: Almond, in shell Acres planted: 21 Plant date: 01/01/2023

Harvest date	Yield	Reporting basis	Density (lbs/cu ft)	Moisture (%)	N (mg/kg)	P (mg/kg)	K (mg/kg)	Salt (mg/kg)	TFS (%)
12/31/2023	20.99 *ton*	As-is		9.3	37,100.00	3,400.00	36,400.00		15.01

	Yield (tons/acre)	Total N (lbs/acre)	Total P (lbs/acre)	Total K (lbs/acre)	Salt (lbs/acre)
Anticipated harvest content	4.00	152.80	16.80	146.40	0.00
Total actual harvest content	1.00	74.16	6.80	72.77	272.15

2

Field name: 2

2

01/01/2023: Almond, in shell

Crop: Almond, in shell Acres planted: 37 Plant date: 01/01/2023

Harvest date	Yield	Reporting basis	Density (lbs/cu ft)	Moisture (%)	N (mg/kg)	P (mg/kg)	K (mg/kg)	Salt (mg/kg)	TFS (%)
12/31/2023	42.38 *ton*	As-is		9.3	37,100.00	3,400.00	36,400.00		15.01

	Yield (tons/acre)	Total N (lbs/acre)	Total P (lbs/acre)	Total K (lbs/acre)	Salt (lbs/acre)
Anticipated harvest content	4.00	152.80	16.80	146.40	0.00
Total actual harvest content	1.15	84.99	7.79	83.39	311.87

3

Field name: 3

10/26/2022: Oats, silage-soft dough

Crop: Oats, silage-soft dough Acres planted: 38 Plant date: 10/26/2022

Harvest date	Yield	Reporting basis	Density (lbs/cu ft)	Moisture (%)	N (mg/kg)	P (mg/kg)	K (mg/kg)	Salt (mg/kg)	TFS (%)
04/24/2023	556.00 *ton*	As-is		66.1	7,200.00	1,500.00	12,500.00		9.55

	Yield (tons/acre)	Total N (lbs/acre)	Total P (lbs/acre)	Total K (lbs/acre)	Salt (lbs/acre)
Anticipated harvest content	16.00	160.00	25.60	132.80	0.00
Total actual harvest content	14.63	210.69	43.89	365.79	947.38

05/17/2023: Corn, silage

Crop: Corn, silage Acres planted: 38 Plant date: 05/17/2023

Harvest date	Yield	Reporting basis	Density (lbs/cu ft)	Moisture (%)	N (mg/kg)	P (mg/kg)	K (mg/kg)	Salt (mg/kg)	TFS (%)
09/06/2023	1,491.85 *ton*	As-is		70.0	3,600.00	500.00	4,800.00		5.51

	Yield (tons/acre)	Total N (lbs/acre)	Total P (lbs/acre)	Total K (lbs/acre)	Salt (lbs/acre)
Anticipated harvest content	30.00	240.00	45.00	198.00	0.00
Total actual harvest content	39.26	282.67	39.26	376.89	1,297.91

4

Field name: 4

10/26/2022: Oats, silage-soft dough

Crop: Oats, silage-soft dough Acres planted: 86 Plant date: 10/26/2022

Harvest date	Yield	Reporting basis	Density (lbs/cu ft)	Moisture (%)	N (mg/kg)	P (mg/kg)	K (mg/kg)	Salt (mg/kg)	TFS (%)
04/24/2023	1,102.50 *ton*	As-is		70.0	6,600.00	1,400.00	11,300.00		10.10

	Yield (tons/acre)	Total N (lbs/acre)	Total P (lbs/acre)	Total K (lbs/acre)	Salt (lbs/acre)
Anticipated harvest content	16.00	160.00	25.60	132.80	0.00
Total actual harvest content	12.82	169.22	35.90	289.73	776.88

05/17/2023: Corn, silage

Crop: Corn, silage Acres planted: 86 Plant date: 05/17/2023

Harvest date	Yield	Reporting basis	Density (lbs/cu ft)	Moisture (%)	N (mg/kg)	P (mg/kg)	K (mg/kg)	Salt (mg/kg)	TFS (%)
09/06/2023	2,252.34 *ton*	As-is		68.0	4,300.00	800.00	4,600.00		5.00

	Yield (tons/acre)	Total N (lbs/acre)	Total P (lbs/acre)	Total K (lbs/acre)	Salt (lbs/acre)
Anticipated harvest content	30.00	240.00	45.00	198.00	0.00
Total actual harvest content	26.19	225.23	41.90	240.95	838.08

5

Field name: 5

01/01/2023: Almond, in shell

Crop: Almond, in shell Acres planted: 37 Plant date: 01/01/2023

Harvest date	Yield	Reporting basis	Density (lbs/cu ft)	Moisture (%)	N (mg/kg)	P (mg/kg)	K (mg/kg)	Salt (mg/kg)	TFS (%)
12/31/2023	44.31 *ton*	As-is		9.3	37,100.00	3,400.00	36,400.00		15.01

	Yield (tons/acre)	Total N (lbs/acre)	Total P (lbs/acre)	Total K (lbs/acre)	Salt (lbs/acre)
Anticipated harvest content	4.00	152.80	16.80	146.40	0.00
Total actual harvest content	1.20	88.86	8.14	87.18	326.08

6

Field name: 6

10/26/2022: Oats, silage-soft dough

Crop: Oats, silage-soft dough Acres planted: 18 Plant date: 10/26/2022

Harvest date	Yield	Reporting basis	Density (lbs/cu ft)	Moisture (%)	N (mg/kg)	P (mg/kg)	K (mg/kg)	Salt (mg/kg)	TFS (%)
04/25/2023	304.50 *ton*	As-is		70.0	5,900.00	1,400.00	11,700.00		10.10

	Yield (tons/acre)	Total N (lbs/acre)	Total P (lbs/acre)	Total K (lbs/acre)	Salt (lbs/acre)
Anticipated harvest content	16.00	160.00	25.60	132.80	0.00
Total actual harvest content	16.92	199.62	47.37	395.85	1,025.15

05/17/2023: Corn, silage

Crop: Corn, silage Acres planted: 18 Plant date: 05/17/2023

Harvest date	Yield	Reporting basis	Density (lbs/cu ft)	Moisture (%)	N (mg/kg)	P (mg/kg)	K (mg/kg)	Salt (mg/kg)	TFS (%)
09/07/2023	486.57 *ton*	As-is		72.3	4,200.00	600.00	5,000.00		5.60

	Yield (tons/acre)	Total N (lbs/acre)	Total P (lbs/acre)	Total K (lbs/acre)	Salt (lbs/acre)
Anticipated harvest content	30.00	240.00	45.00	198.00	0.00
Total actual harvest content	27.03	227.07	32.44	270.32	838.63

7

Field name: 7

10/26/2022: Oats, silage-soft dough

Crop: Oats, silage-soft dough Acres planted: 55 Plant date: 10/26/2022

Harvest date	Yield	Reporting basis	Density (lbs/cu ft)	Moisture (%)	N (mg/kg)	P (mg/kg)	K (mg/kg)	Salt (mg/kg)	TFS (%)
04/25/2023	747.50 *ton*	As-is		63.2	7,500.00	1,400.00	14,600.00		9.68

	Yield (tons/acre)	Total N (lbs/acre)	Total P (lbs/acre)	Total K (lbs/acre)	Salt (lbs/acre)
Anticipated harvest content	16.00	160.00	25.60	132.80	0.00
Total actual harvest content	13.59	203.86	38.05	396.85	968.28

7

05/18/2023: Corn, silage

Crop: Corn, silage Acres planted: 55 Plant date: 05/18/2023

Harvest date	Yield	Reporting basis	Density (lbs/cu ft)	Moisture (%)	N (mg/kg)	P (mg/kg)	K (mg/kg)	Salt (mg/kg)	TFS (%)
09/07/2023	1,714.80 *ton*	As-is		68.4	4,300.00	700.00	3,800.00		4.00

	Yield (tons/acre)	Total N (lbs/acre)	Total P (lbs/acre)	Total K (lbs/acre)	Salt (lbs/acre)
Anticipated harvest content	30.00	240.00	45.00	198.00	0.00
Total actual harvest content	31.18	268.13	43.65	236.95	788.18

8

Field name: 8

10/25/2022: Oats, silage-soft dough

Crop: Oats, silage-soft dough Acres planted: 66 Plant date: 10/25/2022

Harvest date	Yield	Reporting basis	Density (lbs/cu ft)	Moisture (%)	N (mg/kg)	P (mg/kg)	K (mg/kg)	Salt (mg/kg)	TFS (%)
04/28/2023	1,239.94 *ton*	As-is		70.2	5,700.00	1,600.00	13,200.00		10.60

	Yield (tons/acre)	Total N (lbs/acre)	Total P (lbs/acre)	Total K (lbs/acre)	Salt (lbs/acre)
Anticipated harvest content	16.00	160.00	25.60	132.80	0.00
Total actual harvest content	18.79	214.17	60.12	495.98	1,186.89

05/18/2023: Corn, silage

Crop: Corn, silage Acres planted: 66 Plant date: 05/18/2023

Harvest date	Yield	Reporting basis	Density (lbs/cu ft)	Moisture (%)	N (mg/kg)	P (mg/kg)	K (mg/kg)	Salt (mg/kg)	TFS (%)
09/08/2023	2,144.06 *ton*	As-is		71.5	4,100.00	800.00	4,000.00		5.40

	Yield (tons/acre)	Total N (lbs/acre)	Total P (lbs/acre)	Total K (lbs/acre)	Salt (lbs/acre)
Anticipated harvest content	30.00	240.00	45.00	198.00	0.00
Total actual harvest content	32.49	266.38	51.98	259.89	999.91

NUTRIENT BUDGET

A. LAND APPLICATIONS

1 - 01/01/2023: Almond, in shell

Field name: 1

Crop: Almond, in shell

Plant date: 01/01/2023

Application date	Application method	Precipitation 24 hours prior	Precipitation during application	Precipitation 24 hours following
04/01/2023	Surface (irrigation)	No precipitation	No precipitation	No precipitation

Source description	Material type	N (lbs/acre)	P (lbs/acre)	K (lbs/acre)	Salt (lbs/acre)	Amount
UN32	Solid commercial fertilizer	88.00	0.00	0.00	0.00	
Canal	Surface water	0.00	0.00	0.00	228.14	2,670,234.00 *gal*
Application event totals		88.00	0.00	0.00	228.14	

Application date	Application method	Precipitation 24 hours prior	Precipitation during application	Precipitation 24 hours following
05/01/2023	Pipeline	No precipitation	No precipitation	No precipitation

Source description	Material type	N (lbs/acre)	P (lbs/acre)	K (lbs/acre)	Salt (lbs/acre)	Amount
Canal	Surface water	0.00	0.00	0.00	252.08	2,950,459.00 *gal*
Application event totals		0.00	0.00	0.00	252.08	

Application date	Application method	Precipitation 24 hours prior	Precipitation during application	Precipitation 24 hours following
06/01/2023	Surface (irrigation)	No precipitation	No precipitation	No precipitation

Source description	Material type	N (lbs/acre)	P (lbs/acre)	K (lbs/acre)	Salt (lbs/acre)	Amount
Canal	Surface water	0.00	0.00	0.00	342.79	4,012,155.00 *gal*
Application event totals		0.00	0.00	0.00	342.79	

Application date	Application method	Precipitation 24 hours prior	Precipitation during application	Precipitation 24 hours following
07/01/2023	Surface (irrigation)	No precipitation	No precipitation	No precipitation

Source description	Material type	N (lbs/acre)	P (lbs/acre)	K (lbs/acre)	Salt (lbs/acre)	Amount
Canal	Surface water	0.00	0.00	0.00	302.70	3,543,015.00 *gal*
Application event totals		0.00	0.00	0.00	302.70	

Application date	Application method	Precipitation 24 hours prior	Precipitation during application	Precipitation 24 hours following
08/01/2023	Surface (irrigation)	No precipitation	No precipitation	No precipitation

Source description	Material type	N (lbs/acre)	P (lbs/acre)	K (lbs/acre)	Salt (lbs/acre)	Amount
Canal	Surface water	0.00	0.00	0.00	335.49	3,926,743.00 *gal*
Application event totals		0.00	0.00	0.00	335.49	

1 - 01/01/2023: Almond, in shell

Application date	Application method	Precipitation 24 hours prior	Precipitation during application	Precipitation 24 hours following
09/01/2023	Surface (irrigation)	No precipitation	No precipitation	No precipitation

Source description	Material type	N (lbs/acre)	P (lbs/acre)	K (lbs/acre)	Salt (lbs/acre)	Amount
Canal	Surface water	0.00	0.00	0.00	239.58	2,804,132.00 *gal*
Application event totals		0.00	0.00	0.00	239.58	

10/01/2023	Surface (irrigation)	No precipitation	No precipitation	No precipitation

Source description	Material type	N (lbs/acre)	P (lbs/acre)	K (lbs/acre)	Salt (lbs/acre)	Amount
Canal	Surface water	0.00	0.00	0.00	263.78	3,087,403.00 *gal*
Application event totals		0.00	0.00	0.00	263.78	

2 - 01/01/2023: Almond, in shell

Field name: 2

Crop: Almond, in shell

Plant date: 01/01/2023

Application date	Application method	Precipitation 24 hours prior	Precipitation during application	Precipitation 24 hours following
04/01/2023	Surface (irrigation)	No precipitation	No precipitation	No precipitation

Source description	Material type	N (lbs/acre)	P (lbs/acre)	K (lbs/acre)	Salt (lbs/acre)	Amount
UN32	Solid commercial fertilizer	88.00	0.00	0.00	0.00	
Canal	Surface water	0.00	0.00	0.00	205.67	4,241,321.00 *gal*
Application event totals		88.00	0.00	0.00	205.67	

05/01/2023	Surface (irrigation)	No precipitation	No precipitation	No precipitation

Source description	Material type	N (lbs/acre)	P (lbs/acre)	K (lbs/acre)	Salt (lbs/acre)	Amount
Canal	Surface water	0.00	0.00	0.00	295.27	6,089,216.00 *gal*
Application event totals		0.00	0.00	0.00	295.27	

06/01/2023	Surface (irrigation)	No precipitation	No precipitation	No precipitation

Source description	Material type	N (lbs/acre)	P (lbs/acre)	K (lbs/acre)	Salt (lbs/acre)	Amount
Canal	Surface water	0.00	0.00	0.00	250.92	5,174,611.00 *gal*
Application event totals		0.00	0.00	0.00	250.92	

2 - 01/01/2023: Almond, in shell

Application date	Application method	Precipitation 24 hours prior	Precipitation during application	Precipitation 24 hours following
07/01/2023	Surface (irrigation)	No precipitation	No precipitation	No precipitation

Source description	Material type	N (lbs/acre)	P (lbs/acre)	K (lbs/acre)	Salt (lbs/acre)	Amount
Canal	Surface water	0.00	0.00	0.00	335.02	6,908,923.00 *gal*
Application event totals		0.00	0.00	0.00	335.02	

Application date	Application method	Precipitation 24 hours prior	Precipitation during application	Precipitation 24 hours following
08/01/2023	Surface (irrigation)	No precipitation	No precipitation	No precipitation

Source description	Material type	N (lbs/acre)	P (lbs/acre)	K (lbs/acre)	Salt (lbs/acre)	Amount
Canal	Surface water	0.00	0.00	0.00	256.49	5,289,463.00 *gal*
Application event totals		0.00	0.00	0.00	256.49	

Application date	Application method	Precipitation 24 hours prior	Precipitation during application	Precipitation 24 hours following
09/01/2023	Surface (irrigation)	No precipitation	No precipitation	No precipitation

Source description	Material type	N (lbs/acre)	P (lbs/acre)	K (lbs/acre)	Salt (lbs/acre)	Amount
Canal	Surface water	0.00	0.00	0.00	335.00	6,908,421.00 *gal*
Application event totals		0.00	0.00	0.00	335.00	

Application date	Application method	Precipitation 24 hours prior	Precipitation during application	Precipitation 24 hours following
10/01/2023	Surface (irrigation)	No precipitation	No precipitation	No precipitation

Source description	Material type	N (lbs/acre)	P (lbs/acre)	K (lbs/acre)	Salt (lbs/acre)	Amount
Canal	Surface water	0.00	0.00	0.00	237.23	4,892,160.00 *gal*
Application event totals		0.00	0.00	0.00	237.23	

3 - 10/26/2022: Oats, silage-soft dough

Field name: 3

Crop: Oats, silage-soft dough

Plant date: 10/26/2022

Application date	Application method	Precipitation 24 hours prior	Precipitation during application	Precipitation 24 hours following

3 - 10/26/2022: Oats, silage-soft dough

Application date	Application method	Precipitation 24 hours prior	Precipitation during application	Precipitation 24 hours following
10/08/2022	Surface (irrigation)	No precipitation	No precipitation	No precipitation

Source description	Material type	N (lbs/acre)	P (lbs/acre)	K (lbs/acre)	Salt (lbs/acre)	Amount
WWS	Process wastewater	42.31	4.36	72.02	313.77	380,000.00 *gal*
WWS-Imported	Process wastewater	39.47	4.61	64.32	542.21	330,967.00 *gal*
Canal	Surface water	0.00	0.00	0.00	308.94	6,543,144.00 *gal*
Application event totals		81.78	8.96	136.34	1,164.92	

12/21/2022	Surface (irrigation)	No precipitation	No precipitation	No precipitation

Source description	Material type	N (lbs/acre)	P (lbs/acre)	K (lbs/acre)	Salt (lbs/acre)	Amount
WWS	Process wastewater	49.49	5.10	84.24	367.03	444,500.00 *gal*
WWS-Imported	Process wastewater	39.47	4.61	64.32	542.21	330,967.00 *gal*
Application event totals		88.96	9.70	148.57	909.24	

02/15/2023	Surface (irrigation)	No precipitation	No precipitation	No precipitation

Source description	Material type	N (lbs/acre)	P (lbs/acre)	K (lbs/acre)	Salt (lbs/acre)	Amount
WWS	Process wastewater	21.18	6.64	36.17	205.60	564,000.00 *gal*
Application event totals		21.18	6.64	36.17	205.60	

04/03/2023	Surface (irrigation)	No precipitation	No precipitation	No precipitation

Source description	Material type	N (lbs/acre)	P (lbs/acre)	K (lbs/acre)	Salt (lbs/acre)	Amount
WWS	Process wastewater	31.07	14.82	280.00	900.38	500,000.00 *gal*
Canal	Surface water	0.00	0.00	0.00	272.92	5,780,370.00 *gal*
Application event totals		31.07	14.82	280.00	1,173.30	

3 - 05/17/2023: Corn, silage

Field name: 3

Crop: Corn, silage

Plant date: 05/17/2023

Application date	Application method	Precipitation 24 hours prior	Precipitation during application	Precipitation 24 hours following

3 - 05/17/2023: Corn, silage

Application date	Application method	Precipitation 24 hours prior	Precipitation during application	Precipitation 24 hours following
05/06/2023	Surface (irrigation)	No precipitation	No precipitation	No precipitation

Source description	Material type	N (lbs/acre)	P (lbs/acre)	K (lbs/acre)	Salt (lbs/acre)	Amount
Canal	Surface water	0.00	0.00	0.00	287.41	6,087,182.00 *gal*
Application event totals		0.00	0.00	0.00	287.41	

Application date	Application method	Precipitation 24 hours prior	Precipitation during application	Precipitation 24 hours following
06/15/2023	Surface (irrigation)	No precipitation	No precipitation	No precipitation

Source description	Material type	N (lbs/acre)	P (lbs/acre)	K (lbs/acre)	Salt (lbs/acre)	Amount
UN32	Solid commercial fertilizer	72.00	0.00	0.00	0.00	
Canal	Surface water	0.00	0.00	0.00	254.55	5,391,326.00 *gal*
Application event totals		72.00	0.00	0.00	254.55	

Application date	Application method	Precipitation 24 hours prior	Precipitation during application	Precipitation 24 hours following
06/26/2023	Surface (irrigation)	No precipitation	No precipitation	No precipitation

Source description	Material type	N (lbs/acre)	P (lbs/acre)	K (lbs/acre)	Salt (lbs/acre)	Amount
WWS	Process wastewater	50.96	24.31	459.19	1,476.63	820,000.00 *gal*
Canal	Surface water	0.00	0.00	0.00	184.19	3,901,050.00 *gal*
Application event totals		50.96	24.31	459.19	1,660.81	

Application date	Application method	Precipitation 24 hours prior	Precipitation during application	Precipitation 24 hours following
07/04/2023	Surface (irrigation)	No precipitation	No precipitation	No precipitation

Source description	Material type	N (lbs/acre)	P (lbs/acre)	K (lbs/acre)	Salt (lbs/acre)	Amount
WWS	Process wastewater	49.92	23.81	449.81	1,446.46	803,250.00 *gal*
Canal	Surface water	0.00	0.00	0.00	219.04	4,639,230.00 *gal*
Application event totals		49.92	23.81	449.81	1,665.50	

Application date	Application method	Precipitation 24 hours prior	Precipitation during application	Precipitation 24 hours following
07/13/2023	Surface (irrigation)	No precipitation	No precipitation	No precipitation

Source description	Material type	N (lbs/acre)	P (lbs/acre)	K (lbs/acre)	Salt (lbs/acre)	Amount
WWS	Process wastewater	64.04	30.55	577.07	1,855.69	1,030,500.00 *gal*
Canal	Surface water	0.00	0.00	0.00	162.52	3,442,086.00 *gal*
Application event totals		64.04	30.55	577.07	2,018.20	

3 - 05/17/2023: Corn, silage

Application date	Application method	Precipitation 24 hours prior	Precipitation during application	Precipitation 24 hours following
07/23/2023	Surface (irrigation)	No precipitation	No precipitation	No precipitation

Source description	Material type	N (lbs/acre)	P (lbs/acre)	K (lbs/acre)	Salt (lbs/acre)	Amount
WWS	Process wastewater	60.91	29.05	548.79	1,764.75	980,000.00 *gal*
Canal	Surface water	0.00	0.00	0.00	215.92	4,573,110.00 *gal*
Application event totals		60.91	29.05	548.79	1,980.67	

Application date	Application method	Precipitation 24 hours prior	Precipitation during application	Precipitation 24 hours following
08/02/2023	Surface (irrigation)	No precipitation	No precipitation	No precipitation

Source description	Material type	N (lbs/acre)	P (lbs/acre)	K (lbs/acre)	Salt (lbs/acre)	Amount
Canal	Surface water	0.00	0.00	0.00	149.90	3,174,870.00 *gal*
Application event totals		0.00	0.00	0.00	149.90	

Application date	Application method	Precipitation 24 hours prior	Precipitation during application	Precipitation 24 hours following
08/11/2023	Pipeline	No precipitation	No precipitation	No precipitation

Source description	Material type	N (lbs/acre)	P (lbs/acre)	K (lbs/acre)	Salt (lbs/acre)	Amount
Canal	Surface water	0.00	0.00	0.00	165.79	3,511,322.00 *gal*
Application event totals		0.00	0.00	0.00	165.79	

Application date	Application method	Precipitation 24 hours prior	Precipitation during application	Precipitation 24 hours following
08/21/2023	Surface (irrigation)	No precipitation	No precipitation	No precipitation

Source description	Material type	N (lbs/acre)	P (lbs/acre)	K (lbs/acre)	Salt (lbs/acre)	Amount
Canal	Surface water	0.00	0.00	0.00	157.32	3,331,924.00 *gal*
Application event totals		0.00	0.00	0.00	157.32	

4 - 10/26/2022: Oats, silage-soft dough

Field name: 4

Crop: Oats, silage-soft dough

Plant date: 10/26/2022

Application date	Application method	Precipitation 24 hours prior	Precipitation during application	Precipitation 24 hours following

4 - 10/26/2022: Oats, silage-soft dough

Application date	Application method	Precipitation 24 hours prior	Precipitation during application	Precipitation 24 hours following
10/07/2022	Surface (irrigation)	No precipitation	No precipitation	No precipitation

Source description	Material type	N (lbs/acre)	P (lbs/acre)	K (lbs/acre)	Salt (lbs/acre)	Amount
WWS-Imported	Process wastewater	39.47	4.61	64.32	542.21	749,032.00 *gal*
Canal	Surface water	0.00	0.00	0.00	302.70	14,509,490.00 *gal*
Application event totals		39.47	4.61	64.32	844.91	

Application date	Application method	Precipitation 24 hours prior	Precipitation during application	Precipitation 24 hours following
12/22/2022	Surface (irrigation)	No precipitation	No precipitation	No precipitation

Source description	Material type	N (lbs/acre)	P (lbs/acre)	K (lbs/acre)	Salt (lbs/acre)	Amount
WWS-Imported	Process wastewater	39.47	4.61	64.32	542.21	749,032.00 *gal*
Application event totals		39.47	4.61	64.32	542.21	

Application date	Application method	Precipitation 24 hours prior	Precipitation during application	Precipitation 24 hours following
02/13/2023	Surface (irrigation)	No precipitation	No precipitation	No precipitation

Source description	Material type	N (lbs/acre)	P (lbs/acre)	K (lbs/acre)	Salt (lbs/acre)	Amount
WWS	Process wastewater	53.27	25.41	480.03	1,543.63	1,940,000.00 *gal*
Application event totals		53.27	25.41	480.03	1,543.63	

Application date	Application method	Precipitation 24 hours prior	Precipitation during application	Precipitation 24 hours following
03/30/2023	Surface (irrigation)	No precipitation	No precipitation	No precipitation

Source description	Material type	N (lbs/acre)	P (lbs/acre)	K (lbs/acre)	Salt (lbs/acre)	Amount
WWS	Process wastewater	59.10	28.19	532.49	1,712.32	2,152,000.00 *gal*
Canal	Surface water	0.00	0.00	0.00	239.16	11,463,628.00 *gal*
Application event totals		59.10	28.19	532.49	1,951.48	

4 - 05/17/2023: Corn, silage

Field name: 4

Crop: Corn, silage

Plant date: 05/17/2023

Application date	Application method	Precipitation 24 hours prior	Precipitation during application	Precipitation 24 hours following

4 - 05/17/2023: Corn, silage

Application date	Application method	Precipitation 24 hours prior	Precipitation during application	Precipitation 24 hours following
05/08/2023	Surface (irrigation)	No precipitation	No precipitation	No precipitation

Source description	Material type	N (lbs/acre)	P (lbs/acre)	K (lbs/acre)	Salt (lbs/acre)	Amount
Canal	Surface water	0.00	0.00	0.00	279.67	13,405,250.00 *gal*
Application event totals		0.00	0.00	0.00	279.67	

06/15/2023	Surface (irrigation)	No precipitation	No precipitation	No precipitation

Source description	Material type	N (lbs/acre)	P (lbs/acre)	K (lbs/acre)	Salt (lbs/acre)	Amount
UN32	Solid commercial fertilizer	72.00	0.00	0.00	0.00	
Canal	Surface water	0.00	0.00	0.00	239.50	11,479,882.00 *gal*
Application event totals		72.00	0.00	0.00	239.50	

06/27/2023	Surface (irrigation)	No precipitation	No precipitation	No precipitation

Source description	Material type	N (lbs/acre)	P (lbs/acre)	K (lbs/acre)	Salt (lbs/acre)	Amount
WWS-Imported	Process wastewater	50.72	4.67	101.86	461.11	1,080,000.00 *gal*
Canal	Surface water	0.00	0.00	0.00	222.69	10,674,148.00 *gal*
Application event totals		50.72	4.67	101.86	683.80	

07/06/2023	Surface (irrigation)	No precipitation	No precipitation	No precipitation

Source description	Material type	N (lbs/acre)	P (lbs/acre)	K (lbs/acre)	Salt (lbs/acre)	Amount
WWS-Imported	Process wastewater	43.21	3.98	86.77	392.80	920,000.00 *gal*
Canal	Surface water	0.00	0.00	0.00	199.37	9,556,328.00 *gal*
Application event totals		43.21	3.98	86.77	592.17	

07/15/2023	Surface (irrigation)	No precipitation	No precipitation	No precipitation

Source description	Material type	N (lbs/acre)	P (lbs/acre)	K (lbs/acre)	Salt (lbs/acre)	Amount
WWS-Imported	Process wastewater	56.36	5.19	113.18	512.34	1,200,000.00 *gal*
Canal	Surface water	0.00	0.00	0.00	192.28	9,216,710.00 *gal*
Application event totals		56.36	5.19	113.18	704.63	

4 - 05/17/2023: Corn, silage

Application date	Application method	Precipitation 24 hours prior	Precipitation during application	Precipitation 24 hours following
07/25/2023	Surface (irrigation)	No precipitation	No precipitation	No precipitation

Source description	Material type	N (lbs/acre)	P (lbs/acre)	K (lbs/acre)	Salt (lbs/acre)	Amount
WWS	Process wastewater	51.48	24.56	463.90	1,491.75	1,874,800.00 *gal*
Canal	Surface water	0.00	0.00	0.00	185.51	8,892,113.00 *gal*
Application event totals		51.48	24.56	463.90	1,677.26	

Application date	Application method	Precipitation 24 hours prior	Precipitation during application	Precipitation 24 hours following
08/03/2023	Pipeline	No precipitation	No precipitation	No precipitation

Source description	Material type	N (lbs/acre)	P (lbs/acre)	K (lbs/acre)	Salt (lbs/acre)	Amount
Canal	Surface water	0.00	0.00	0.00	189.66	9,091,170.00 *gal*
Application event totals		0.00	0.00	0.00	189.66	

Application date	Application method	Precipitation 24 hours prior	Precipitation during application	Precipitation 24 hours following
08/13/2023	Surface (irrigation)	No precipitation	No precipitation	No precipitation

Source description	Material type	N (lbs/acre)	P (lbs/acre)	K (lbs/acre)	Salt (lbs/acre)	Amount
Canal	Surface water	0.00	0.00	0.00	175.75	8,424,310.00 *gal*
Application event totals		0.00	0.00	0.00	175.75	

Application date	Application method	Precipitation 24 hours prior	Precipitation during application	Precipitation 24 hours following
08/22/2023	Surface (irrigation)	No precipitation	No precipitation	No precipitation

Source description	Material type	N (lbs/acre)	P (lbs/acre)	K (lbs/acre)	Salt (lbs/acre)	Amount
Canal	Surface water	0.00	0.00	0.00	164.65	7,892,160.00 *gal*
Application event totals		0.00	0.00	0.00	164.65	

5 - 01/01/2023: Almond, in shell

Field name: 5

Crop: Almond, in shell

Plant date: 01/01/2023

Application date	Application method	Precipitation 24 hours prior	Precipitation during application	Precipitation 24 hours following

5 - 01/01/2023: Almond, in shell

Application date	Application method	Precipitation 24 hours prior	Precipitation during application	Precipitation 24 hours following
04/01/2023	Surface (irrigation)	No precipitation	No precipitation	No precipitation

Source description	Material type	N (lbs/acre)	P (lbs/acre)	K (lbs/acre)	Salt (lbs/acre)	Amount
UN32	Solid commercial fertilizer	88.00	0.00	0.00	0.00	
Canal	Surface water	0.00	0.00	0.00	195.65	4,034,678.00 *gal*
Application event totals		88.00	0.00	0.00	195.65	

Application date	Application method	Precipitation 24 hours prior	Precipitation during application	Precipitation 24 hours following
05/01/2023	Surface (irrigation)	No precipitation	No precipitation	No precipitation

Source description	Material type	N (lbs/acre)	P (lbs/acre)	K (lbs/acre)	Salt (lbs/acre)	Amount
Canal	Surface water	0.00	0.00	0.00	308.75	6,367,113.00 *gal*
Application event totals		0.00	0.00	0.00	308.75	

Application date	Application method	Precipitation 24 hours prior	Precipitation during application	Precipitation 24 hours following
06/01/2023	Surface (irrigation)	No precipitation	No precipitation	No precipitation

Source description	Material type	N (lbs/acre)	P (lbs/acre)	K (lbs/acre)	Salt (lbs/acre)	Amount
Canal	Surface water	0.00	0.00	0.00	244.50	5,042,160.00 *gal*
Application event totals		0.00	0.00	0.00	244.50	

Application date	Application method	Precipitation 24 hours prior	Precipitation during application	Precipitation 24 hours following
07/01/2023	Surface (irrigation)	No precipitation	No precipitation	No precipitation

Source description	Material type	N (lbs/acre)	P (lbs/acre)	K (lbs/acre)	Salt (lbs/acre)	Amount
Canal	Surface water	0.00	0.00	0.00	346.17	7,138,916.00 *gal*
Application event totals		0.00	0.00	0.00	346.17	

Application date	Application method	Precipitation 24 hours prior	Precipitation during application	Precipitation 24 hours following
08/01/2023	Surface (irrigation)	No precipitation	No precipitation	No precipitation

Source description	Material type	N (lbs/acre)	P (lbs/acre)	K (lbs/acre)	Salt (lbs/acre)	Amount
Canal	Surface water	0.00	0.00	0.00	244.16	5,035,041.00 *gal*
Application event totals		0.00	0.00	0.00	244.16	

Application date	Application method	Precipitation 24 hours prior	Precipitation during application	Precipitation 24 hours following
09/01/2023	Surface (irrigation)	No precipitation	No precipitation	No precipitation

Source description	Material type	N (lbs/acre)	P (lbs/acre)	K (lbs/acre)	Salt (lbs/acre)	Amount
Canal	Surface water	0.00	0.00	0.00	335.52	6,919,243.00 *gal*
Application event totals		0.00	0.00	0.00	335.52	

5 - 01/01/2023: Almond, in shell

Application date	Application method	Precipitation 24 hours prior	Precipitation during application	Precipitation 24 hours following
10/01/2023	Surface (irrigation)	No precipitation	No precipitation	No precipitation

Source description	Material type	N (lbs/acre)	P (lbs/acre)	K (lbs/acre)	Salt (lbs/acre)	Amount
Canal	Surface water	0.00	0.00	0.00	243.64	5,024,360.00 *gal*
Application event totals		0.00	0.00	0.00	243.64	

6 - 10/26/2022: Oats, silage-soft dough

Field name: 6

Crop: Oats, silage-soft dough

Plant date: 10/26/2022

Application date	Application method	Precipitation 24 hours prior	Precipitation during application	Precipitation 24 hours following
10/09/2022	Surface (irrigation)	No precipitation	No precipitation	No precipitation

Source description	Material type	N (lbs/acre)	P (lbs/acre)	K (lbs/acre)	Salt (lbs/acre)	Amount
WWS-Imported	Process wastewater	98.49	12.26	127.83	963.94	226,000.00 *gal*
Canal	Surface water	0.00	0.00	0.00	307.86	3,088,602.00 *gal*
Application event totals		98.49	12.26	127.83	1,271.80	

12/20/2022	Surface (irrigation)	No precipitation	No precipitation	No precipitation

Source description	Material type	N (lbs/acre)	P (lbs/acre)	K (lbs/acre)	Salt (lbs/acre)	Amount
WWS-Imported	Process wastewater	135.99	16.93	176.50	1,330.96	312,050.00 *gal*
Application event totals		135.99	16.93	176.50	1,330.96	

04/04/2023	Surface (irrigation)	No precipitation	No precipitation	No precipitation

Source description	Material type	N (lbs/acre)	P (lbs/acre)	K (lbs/acre)	Salt (lbs/acre)	Amount
Canal	Surface water	0.00	0.00	0.00	234.81	2,355,750.00 *gal*
Application event totals		0.00	0.00	0.00	234.81	

6 - 05/17/2023: Corn, silage

Field name: 6

Crop: Corn, silage

Plant date: 05/17/2023

6 - 05/17/2023: Corn, silage

Application date	Application method	Precipitation 24 hours prior	Precipitation during application	Precipitation 24 hours following
05/07/2023	Surface (irrigation)	No precipitation	No precipitation	No precipitation

Source description	Material type	N (lbs/acre)	P (lbs/acre)	K (lbs/acre)	Salt (lbs/acre)	Amount
Canal	Surface water	0.00	0.00	0.00	292.84	2,937,870.00 *gal*
Application event totals		0.00	0.00	0.00	292.84	

Application date	Application method	Precipitation 24 hours prior	Precipitation during application	Precipitation 24 hours following
06/16/2023	Surface (irrigation)	No precipitation	No precipitation	No precipitation

Source description	Material type	N (lbs/acre)	P (lbs/acre)	K (lbs/acre)	Salt (lbs/acre)	Amount
WWS-Imported	Process wastewater	94.04	11.70	122.05	920.35	215,780.00 *gal*
Canal	Surface water	0.00	0.00	0.00	254.55	2,553,750.00 *gal*
Application event totals		94.04	11.70	122.05	1,174.90	

Application date	Application method	Precipitation 24 hours prior	Precipitation during application	Precipitation 24 hours following
06/27/2023	Surface (irrigation)	No precipitation	No precipitation	No precipitation

Source description	Material type	N (lbs/acre)	P (lbs/acre)	K (lbs/acre)	Salt (lbs/acre)	Amount
WWS-Imported	Process wastewater	73.03	9.09	94.79	714.81	167,590.00 *gal*
Canal	Surface water	0.00	0.00	0.00	231.65	2,324,070.00 *gal*
Application event totals		73.03	9.09	94.79	946.46	

Application date	Application method	Precipitation 24 hours prior	Precipitation during application	Precipitation 24 hours following
07/05/2023	Surface (irrigation)	No precipitation	No precipitation	No precipitation

Source description	Material type	N (lbs/acre)	P (lbs/acre)	K (lbs/acre)	Salt (lbs/acre)	Amount
WWS-Imported	Process wastewater	95.94	11.94	124.52	938.99	220,150.00 *gal*
Canal	Surface water	0.00	0.00	0.00	219.05	2,197,566.00 *gal*
Application event totals		95.94	11.94	124.52	1,158.03	

Application date	Application method	Precipitation 24 hours prior	Precipitation during application	Precipitation 24 hours following
07/13/2023	Surface (irrigation)	No precipitation	No precipitation	No precipitation

Source description	Material type	N (lbs/acre)	P (lbs/acre)	K (lbs/acre)	Salt (lbs/acre)	Amount
WWS-Imported	Process wastewater	53.38	6.64	69.29	522.49	122,500.00 *gal*
Canal	Surface water	0.00	0.00	0.00	182.12	1,827,113.00 *gal*
Application event totals		53.38	6.64	69.29	704.61	

6 - 05/17/2023: Corn, silage

Application date	Application method	Precipitation 24 hours prior	Precipitation during application	Precipitation 24 hours following
07/23/2023	Surface (irrigation)	No precipitation	No precipitation	No precipitation

Source description	Material type	N (lbs/acre)	P (lbs/acre)	K (lbs/acre)	Salt (lbs/acre)	Amount
Canal	Surface water	0.00	0.00	0.00	161.94	1,624,621.00 *gal*
Application event totals		0.00	0.00	0.00	161.94	

Application date	Application method	Precipitation 24 hours prior	Precipitation during application	Precipitation 24 hours following
08/02/2023	Surface (irrigation)	No precipitation	No precipitation	No precipitation

Source description	Material type	N (lbs/acre)	P (lbs/acre)	K (lbs/acre)	Salt (lbs/acre)	Amount
Canal	Surface water	0.00	0.00	0.00	170.26	1,708,101.00 *gal*
Application event totals		0.00	0.00	0.00	170.26	

Application date	Application method	Precipitation 24 hours prior	Precipitation during application	Precipitation 24 hours following
08/12/2023	Surface (irrigation)	No precipitation	No precipitation	No precipitation

Source description	Material type	N (lbs/acre)	P (lbs/acre)	K (lbs/acre)	Salt (lbs/acre)	Amount
Canal	Surface water	0.00	0.00	0.00	199.84	2,004,893.00 *gal*
Application event totals		0.00	0.00	0.00	199.84	

Application date	Application method	Precipitation 24 hours prior	Precipitation during application	Precipitation 24 hours following
08/21/2023	Surface (irrigation)	No precipitation	No precipitation	No precipitation

Source description	Material type	N (lbs/acre)	P (lbs/acre)	K (lbs/acre)	Salt (lbs/acre)	Amount
Canal	Surface water	0.00	0.00	0.00	171.17	1,717,213.00 *gal*
Application event totals		0.00	0.00	0.00	171.17	

7 - 10/26/2022: Oats, silage-soft dough

Field name: 7

Crop: Oats, silage-soft dough

Plant date: 10/26/2022

Application date	Application method	Precipitation 24 hours prior	Precipitation during application	Precipitation 24 hours following
10/08/2022	Surface (irrigation)	No precipitation	No precipitation	No precipitation

Source description	Material type	N (lbs/acre)	P (lbs/acre)	K (lbs/acre)	Salt (lbs/acre)	Amount
WWS-Imported	Process wastewater	37.26	7.34	50.86	286.46	800,000.00 *gal*
Canal	Surface water	0.00	0.00	0.00	283.15	8,679,825.00 *gal*
Application event totals		37.26	7.34	50.86	569.61	

7 - 10/26/2022: Oats, silage-soft dough

Application date	Application method	Precipitation 24 hours prior	Precipitation during application	Precipitation 24 hours following
12/19/2022	Surface (irrigation)	No precipitation	No precipitation	No precipitation

Source description	Material type	N (lbs/acre)	P (lbs/acre)	K (lbs/acre)	Salt (lbs/acre)	Amount
WWS-Imported	Process wastewater	30.31	5.97	41.37	233.00	650,700.00 *gal*
Application event totals		30.31	5.97	41.37	233.00	

Application date	Application method	Precipitation 24 hours prior	Precipitation during application	Precipitation 24 hours following
03/03/2023	Surface (irrigation)	No precipitation	No precipitation	No precipitation

Source description	Material type	N (lbs/acre)	P (lbs/acre)	K (lbs/acre)	Salt (lbs/acre)	Amount
WWS-Imported	Process wastewater	64.45	11.01	88.22	487.46	985,500.00 *gal*
Application event totals		64.45	11.01	88.22	487.46	

Application date	Application method	Precipitation 24 hours prior	Precipitation during application	Precipitation 24 hours following
04/05/2023	Surface (irrigation)	No precipitation	No precipitation	No precipitation

Source description	Material type	N (lbs/acre)	P (lbs/acre)	K (lbs/acre)	Salt (lbs/acre)	Amount
WWS-Imported	Process wastewater	74.82	11.60	109.42	499.47	1,280,900.00 *gal*
Canal	Surface water	0.00	0.00	0.00	231.43	7,094,395.00 *gal*
Application event totals		74.82	11.60	109.42	730.90	

7 - 05/18/2023: Corn, silage

Field name: 7

Crop: Corn, silage

Plant date: 05/18/2023

Application date	Application method	Precipitation 24 hours prior	Precipitation during application	Precipitation 24 hours following
05/08/2023	Surface (irrigation)	No precipitation	No precipitation	No precipitation

Source description	Material type	N (lbs/acre)	P (lbs/acre)	K (lbs/acre)	Salt (lbs/acre)	Amount
Canal	Surface water	0.00	0.00	0.00	290.94	8,918,745.00 *gal*
Application event totals		0.00	0.00	0.00	290.94	

7 - 05/18/2023: Corn, silage

Application date	Application method	Precipitation 24 hours prior	Precipitation during application	Precipitation 24 hours following
06/16/2023	Surface (irrigation)	No precipitation	No precipitation	No precipitation

Source description	Material type	N (lbs/acre)	P (lbs/acre)	K (lbs/acre)	Salt (lbs/acre)	Amount
UN32	Solid commercial fertilizer	72.00	0.00	0.00	0.00	
WWS-Imported	Process wastewater	51.84	8.04	75.81	346.07	887,500.00 *gal*
Canal	Surface water	0.00	0.00	0.00	260.87	7,996,780.00 *gal*
Application event totals		123.84	8.04	75.81	606.94	

06/27/2023	Surface (irrigation)	No precipitation	No precipitation	No precipitation

Source description	Material type	N (lbs/acre)	P (lbs/acre)	K (lbs/acre)	Salt (lbs/acre)	Amount
WWS-Imported	Process wastewater	64.69	10.03	94.61	431.86	1,107,500.00 *gal*
Canal	Surface water	0.00	0.00	0.00	235.21	7,210,445.00 *gal*
Application event totals		64.69	10.03	94.61	667.07	

07/05/2023	Pipeline	No precipitation	No precipitation	No precipitation

Source description	Material type	N (lbs/acre)	P (lbs/acre)	K (lbs/acre)	Salt (lbs/acre)	Amount
WWS-Imported	Process wastewater	42.36	6.57	61.95	282.78	725,190.00 *gal*
Canal	Surface water	0.00	0.00	0.00	159.59	4,892,113.00 *gal*
Application event totals		42.36	6.57	61.95	442.37	

07/14/2023	Surface (irrigation)	No precipitation	No precipitation	No precipitation

Source description	Material type	N (lbs/acre)	P (lbs/acre)	K (lbs/acre)	Salt (lbs/acre)	Amount
WWS-Imported	Process wastewater	58.75	9.11	85.92	392.20	1,005,800.00 *gal*
Canal	Surface water	0.00	0.00	0.00	176.40	5,407,423.00 *gal*
Application event totals		58.75	9.11	85.92	568.60	

07/24/2023	Surface (irrigation)	No precipitation	No precipitation	No precipitation

Source description	Material type	N (lbs/acre)	P (lbs/acre)	K (lbs/acre)	Salt (lbs/acre)	Amount
Canal	Surface water	0.00	0.00	0.00	139.10	4,264,118.00 *gal*
Application event totals		0.00	0.00	0.00	139.10	

7 - 05/18/2023: Corn, silage

Application date	Application method	Precipitation 24 hours prior	Precipitation during application	Precipitation 24 hours following
08/03/2023	Surface (irrigation)	No precipitation	No precipitation	No precipitation

Source description	Material type	N (lbs/acre)	P (lbs/acre)	K (lbs/acre)	Salt (lbs/acre)	Amount
Canal	Surface water	0.00	0.00	0.00	127.50	3,908,437.00 *gal*
Application event totals		0.00	0.00	0.00	127.50	

Application date	Application method	Precipitation 24 hours prior	Precipitation during application	Precipitation 24 hours following
08/12/2023	Surface (irrigation)	No precipitation	No precipitation	No precipitation

Source description	Material type	N (lbs/acre)	P (lbs/acre)	K (lbs/acre)	Salt (lbs/acre)	Amount
Canal	Surface water	0.00	0.00	0.00	136.16	4,174,031.00 *gal*
Application event totals		0.00	0.00	0.00	136.16	

Application date	Application method	Precipitation 24 hours prior	Precipitation during application	Precipitation 24 hours following
08/22/2023	Surface (irrigation)	No precipitation	No precipitation	No precipitation

Source description	Material type	N (lbs/acre)	P (lbs/acre)	K (lbs/acre)	Salt (lbs/acre)	Amount
Canal	Surface water	0.00	0.00	0.00	183.39	5,621,740.00 *gal*
Application event totals		0.00	0.00	0.00	183.39	

8 - 10/25/2022: Oats, silage-soft dough

Field name: 8

Crop: Oats, silage-soft dough

Plant date: 10/25/2022

Application date	Application method	Precipitation 24 hours prior	Precipitation during application	Precipitation 24 hours following
09/20/2022	Broadcast/incorporate	No precipitation	No precipitation	No precipitation

Source description	Material type	N (lbs/acre)	P (lbs/acre)	K (lbs/acre)	Salt (lbs/acre)	Amount
Solid Manure	Separator solids	225.36	33.64	787.09	5,566.82	1,500.00 *ton*
Application event totals		225.36	33.64	787.09	5,566.82	

Application date	Application method	Precipitation 24 hours prior	Precipitation during application	Precipitation 24 hours following
10/09/2022	Surface (irrigation)	No precipitation	No precipitation	No precipitation

Source description	Material type	N (lbs/acre)	P (lbs/acre)	K (lbs/acre)	Salt (lbs/acre)	Amount
Canal	Surface water	0.00	0.00	0.00	309.67	11,391,534.00 *gal*
Application event totals		0.00	0.00	0.00	309.67	

8 - 10/25/2022: Oats, silage-soft dough

Application date	Application method	Precipitation 24 hours prior	Precipitation during application	Precipitation 24 hours following
03/27/2023	Surface (irrigation)	No precipitation	No precipitation	No precipitation

Source description	Material type	N (lbs/acre)	P (lbs/acre)	K (lbs/acre)	Salt (lbs/acre)	Amount
Canal	Surface water	0.00	0.00	0.00	241.00	8,865,186.00 *gal*
Application event totals		0.00	0.00	0.00	241.00	

8 - 05/18/2023: Corn, silage

Field name: 8

Crop: Corn, silage

Plant date: 05/18/2023

Application date	Application method	Precipitation 24 hours prior	Precipitation during application	Precipitation 24 hours following
04/30/2023	Broadcast/incorporate	No precipitation	No precipitation	No precipitation

Source description	Material type	N (lbs/acre)	P (lbs/acre)	K (lbs/acre)	Salt (lbs/acre)	Amount
Solid Manure	Separator solids	146.55	39.41	84.97	8,632.92	800.00 *ton*
Application event totals		146.55	39.41	84.97	8,632.92	

Application date	Application method	Precipitation 24 hours prior	Precipitation during application	Precipitation 24 hours following
05/09/2023	Surface (irrigation)	No precipitation	No precipitation	No precipitation

Source description	Material type	N (lbs/acre)	P (lbs/acre)	K (lbs/acre)	Salt (lbs/acre)	Amount
Canal	Surface water	0.00	0.00	0.00	298.05	10,963,854.00 *gal*
Application event totals		0.00	0.00	0.00	298.05	

Application date	Application method	Precipitation 24 hours prior	Precipitation during application	Precipitation 24 hours following
06/16/2023	Surface (irrigation)	No precipitation	No precipitation	No precipitation

Source description	Material type	N (lbs/acre)	P (lbs/acre)	K (lbs/acre)	Salt (lbs/acre)	Amount
UN32	Solid commercial fertilizer	72.00	0.00	0.00	0.00	
Canal	Surface water	0.00	0.00	0.00	256.38	9,431,268.00 *gal*
Application event totals		72.00	0.00	0.00	256.38	

8 - 05/18/2023: Corn, silage

Application date	Application method	Precipitation 24 hours prior	Precipitation during application	Precipitation 24 hours following
06/26/2023	Surface (irrigation)	No precipitation	No precipitation	No precipitation

Source description	Material type	N (lbs/acre)	P (lbs/acre)	K (lbs/acre)	Salt (lbs/acre)	Amount
UN32	Solid commercial fertilizer	48.00	0.00	0.00	0.00	
Canal	Surface water	0.00	0.00	0.00	220.82	8,122,950.00 *gal*
Application event totals		48.00	0.00	0.00	220.82	

07/04/2023	Surface (irrigation)	No precipitation	No precipitation	No precipitation

Source description	Material type	N (lbs/acre)	P (lbs/acre)	K (lbs/acre)	Salt (lbs/acre)	Amount
UN32	Solid commercial fertilizer	32.00	0.00	0.00	0.00	
Canal	Surface water	0.00	0.00	0.00	209.91	7,721,603.00 *gal*
Application event totals		32.00	0.00	0.00	209.91	

07/13/2023	Surface (irrigation)	No precipitation	No precipitation	No precipitation

Source description	Material type	N (lbs/acre)	P (lbs/acre)	K (lbs/acre)	Salt (lbs/acre)	Amount
UN32	Solid commercial fertilizer	16.00	0.00	0.00	0.00	
Canal	Surface water	0.00	0.00	0.00	206.32	7,589,460.00 *gal*
Application event totals		16.00	0.00	0.00	206.32	

07/23/2023	Surface (irrigation)	No precipitation	No precipitation	No precipitation

Source description	Material type	N (lbs/acre)	P (lbs/acre)	K (lbs/acre)	Salt (lbs/acre)	Amount
Canal	Surface water	0.00	0.00	0.00	187.34	6,891,263.00 *gal*
Application event totals		0.00	0.00	0.00	187.34	

08/02/2023	Surface (irrigation)	No precipitation	No precipitation	No precipitation

Source description	Material type	N (lbs/acre)	P (lbs/acre)	K (lbs/acre)	Salt (lbs/acre)	Amount
Canal	Surface water	0.00	0.00	0.00	174.64	6,424,164.00 *gal*
Application event totals		0.00	0.00	0.00	174.64	

8 - 05/18/2023: Corn, silage

Application date	Application method	Precipitation 24 hours prior	Precipitation during application	Precipitation 24 hours following
08/11/2023	Surface (irrigation)	No precipitation	No precipitation	No precipitation

Source description	Material type	N (lbs/acre)	P (lbs/acre)	K (lbs/acre)	Salt (lbs/acre)	Amount
Canal	Surface water	0.00	0.00	0.00	168.79	6,208,943.00 *gal*
Application event totals		0.00	0.00	0.00	168.79	

Application date	Application method	Precipitation 24 hours prior	Precipitation during application	Precipitation 24 hours following
08/21/2023	Surface (irrigation)	No precipitation	No precipitation	No precipitation

Source description	Material type	N (lbs/acre)	P (lbs/acre)	K (lbs/acre)	Salt (lbs/acre)	Amount
Canal	Surface water	0.00	0.00	0.00	171.78	6,318,921.00 *gal*
Application event totals		0.00	0.00	0.00	171.78	

B. NUTRIENT BUDGET

1 - 01/01/2023: Almond, in shell

Field name: 1 Crop: Almond, in shell Plant date: 01/01/2023

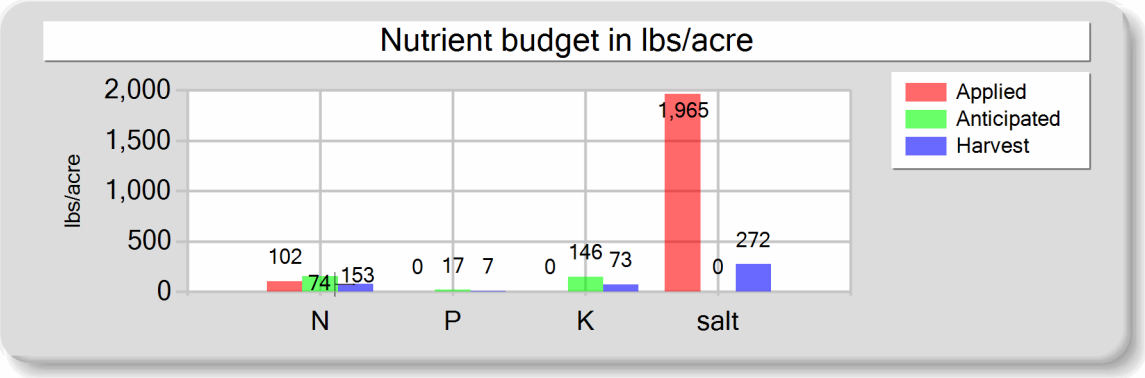

	Total N (lbs/acre)	Total P (lbs/acre)	Total K (lbs/acre)	Total salt (lbs/acre)
Existing soil nutrient content	0.00	0.00	0.00	0.00
Plowdown credit	0.00	0.00	0.00	0.00
Commercial fertilizer / Other	88.00	0.00	0.00	0.00
Dry manure	0.00	0.00	0.00	0.00
Process wastewater	0.00	0.00	0.00	0.00
Fresh water	0.00	0.00	0.00	1,964.55
Atmospheric deposition	14.00	0.00	0.00	0.00
Total nutrients applied	102.00	0.00	0.00	1,964.55
Anticipated crop nutrient removal	152.80	16.80	146.40	0.00
Actual crop nutrient removal	74.16	6.80	72.77	272.15
Nutrient balance	27.84	-6.80	-72.77	1,692.40
Applied to removed ratio	1.38	0.00	0.00	7.22

Fresh water applied	
22,994,141.00	*gallons*
846.80	*acre-inches*
40.32	*inches/acre*

Process wastewater applied	
0.00	*gallons*
0.00	*acre-inches*
0.00	*inches/acre*

Total harvests for the crop	
1	*harvests*

2 - 01/01/2023: Almond, in shell

Field name: 2 Crop: Almond, in shell Plant date: 01/01/2023

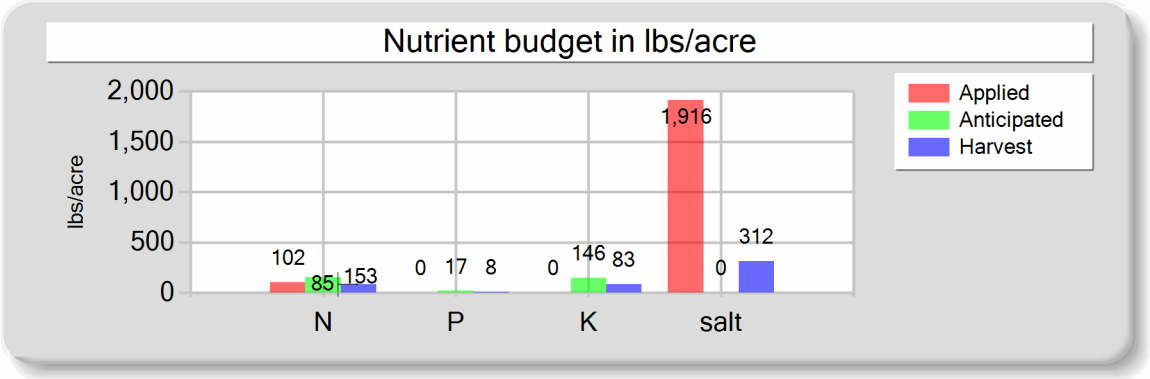

	Total N (lbs/acre)	Total P (lbs/acre)	Total K (lbs/acre)	Total salt (lbs/acre)
Existing soil nutrient content	0.00	0.00	0.00	0.00
Plowdown credit	0.00	0.00	0.00	0.00
Commercial fertilizer / Other	88.00	0.00	0.00	0.00
Dry manure	0.00	0.00	0.00	0.00
Process wastewater	0.00	0.00	0.00	0.00
Fresh water	0.00	0.00	0.00	1,915.60
Atmospheric deposition	14.00	0.00	0.00	0.00
Total nutrients applied	102.00	0.00	0.00	1,915.60
Anticipated crop nutrient removal	152.80	16.80	146.40	0.00
Actual crop nutrient removal	84.99	7.79	83.39	311.87
Nutrient balance	17.01	-7.79	-83.39	1,603.73
Applied to removed ratio	1.20	0.00	0.00	6.14

Fresh water applied	
39,504,115.00	*gallons*
1,454.80	*acre-inches*
39.32	*inches/acre*

Process wastewater applied	
0.00	*gallons*
0.00	*acre-inches*
0.00	*inches/acre*

Total harvests for the crop	
1	*harvests*

3 - 10/26/2022: Oats, silage-soft dough

Field name: 3 Crop: Oats, silage-soft dough Plant date: 10/26/2022

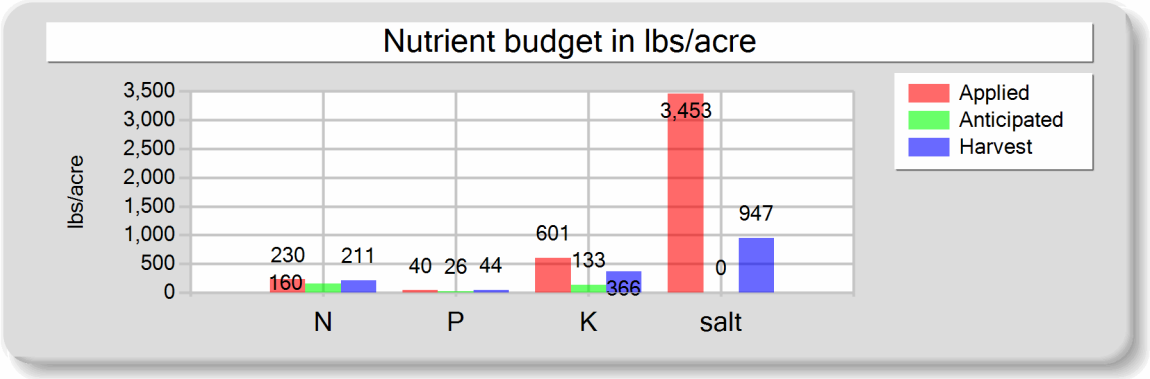

	Total N (lbs/acre)	Total P (lbs/acre)	Total K (lbs/acre)	Total salt (lbs/acre)
Existing soil nutrient content	0.00	0.00	0.00	0.00
Plowdown credit	0.00	0.00	0.00	0.00
Commercial fertilizer / Other	0.00	0.00	0.00	0.00
Dry manure	0.00	0.00	0.00	0.00
Process wastewater	222.99	40.13	601.07	2,871.20
Fresh water	0.00	0.00	0.00	581.86
Atmospheric deposition	7.00	0.00	0.00	0.00
Total nutrients applied	229.99	40.13	601.07	3,453.06
Anticipated crop nutrient removal	160.00	25.60	132.80	0.00
Actual crop nutrient removal	210.69	43.89	365.79	947.38
Nutrient balance	19.29	-3.76	235.28	2,505.68
Applied to removed ratio	1.09	0.91	1.64	3.64

Fresh water applied	
12,323,514.00	*gallons*
453.83	*acre-inches*
11.94	*inches/acre*

Process wastewater applied	
2,550,434.00	*gallons*
93.92	*acre-inches*
2.47	*inches/acre*

Total harvests for the crop	
1	*harvests*

3 - 05/17/2023: Corn, silage

Field name: 3 Crop: Corn, silage Plant date: 05/17/2023

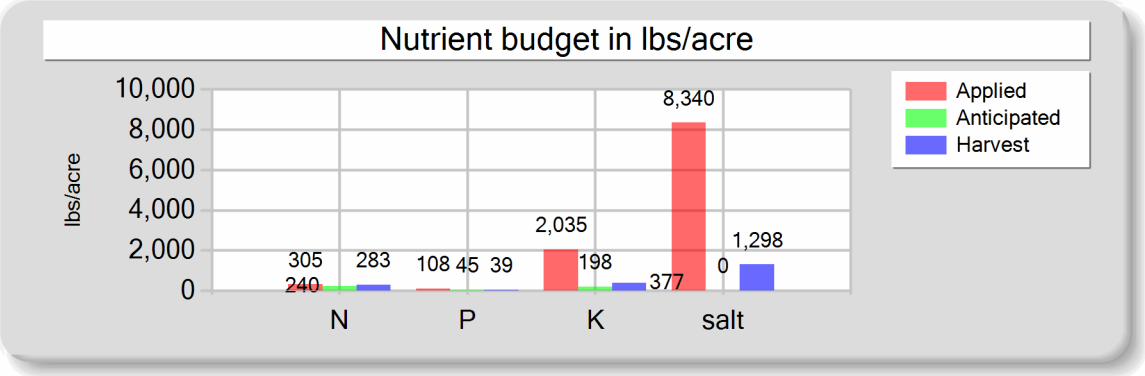

	Total N (lbs/acre)	Total P (lbs/acre)	Total K (lbs/acre)	Total salt (lbs/acre)
Existing soil nutrient content	0.00	0.00	0.00	0.00
Plowdown credit	0.00	0.00	0.00	0.00
Commercial fertilizer / Other	72.00	0.00	0.00	0.00
Dry manure	0.00	0.00	0.00	0.00
Process wastewater	225.83	107.73	2,034.88	6,543.52
Fresh water	0.00	0.00	0.00	1,796.63
Atmospheric deposition	7.00	0.00	0.00	0.00
Total nutrients applied	304.83	107.73	2,034.88	8,340.16
Anticipated crop nutrient removal	240.00	45.00	198.00	0.00
Actual crop nutrient removal	282.67	39.26	376.89	1,297.91
Nutrient balance	22.17	68.47	1,657.99	7,042.25
Applied to removed ratio	1.08	2.74	5.40	6.43

Fresh water applied	
38,052,100.00	*gallons*
1,401.33	*acre-inches*
36.88	*inches/acre*

Process wastewater applied	
3,633,750.00	*gallons*
133.82	*acre-inches*
3.52	*inches/acre*

Total harvests for the crop	
1	*harvests*

4 - 10/26/2022: Oats, silage-soft dough

Field name: 4 Crop: Oats, silage-soft dough Plant date: 10/26/2022

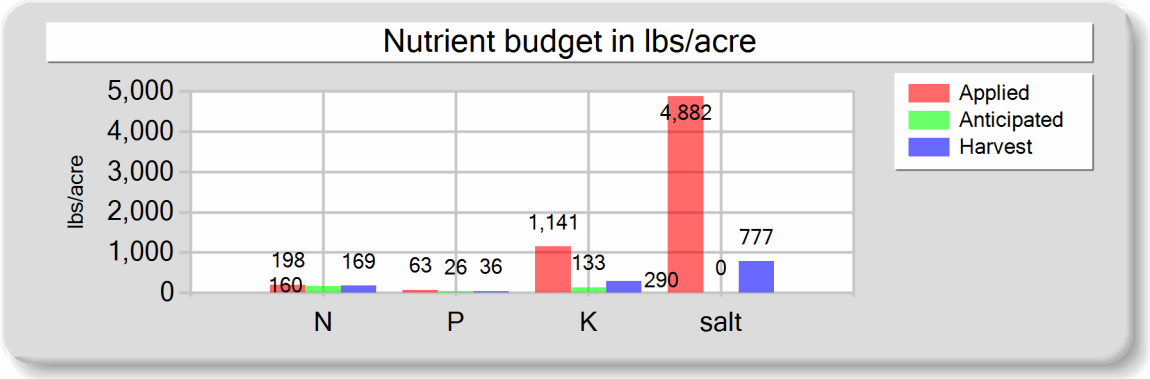

	Total N (lbs/acre)	Total P (lbs/acre)	Total K (lbs/acre)	Total salt (lbs/acre)
Existing soil nutrient content	0.00	0.00	0.00	0.00
Plowdown credit	0.00	0.00	0.00	0.00
Commercial fertilizer / Other	0.00	0.00	0.00	0.00
Dry manure	0.00	0.00	0.00	0.00
Process wastewater	191.30	62.82	1,141.17	4,340.37
Fresh water	0.00	0.00	0.00	541.86
Atmospheric deposition	7.00	0.00	0.00	0.00
Total nutrients applied	198.30	62.82	1,141.17	4,882.23
Anticipated crop nutrient removal	160.00	25.60	132.80	0.00
Actual crop nutrient removal	169.22	35.90	289.73	776.88
Nutrient balance	29.08	26.92	851.44	4,105.35
Applied to removed ratio	1.17	1.75	3.94	6.28

Fresh water applied	
25,973,118.00	*gallons*
956.50	*acre-inches*
11.12	*inches/acre*

Process wastewater applied	
5,590,064.00	*gallons*
205.86	*acre-inches*
2.39	*inches/acre*

Total harvests for the crop	
1	*harvests*

4 - 05/17/2023: Corn, silage

Field name: 4 Crop: Corn, silage Plant date: 05/17/2023

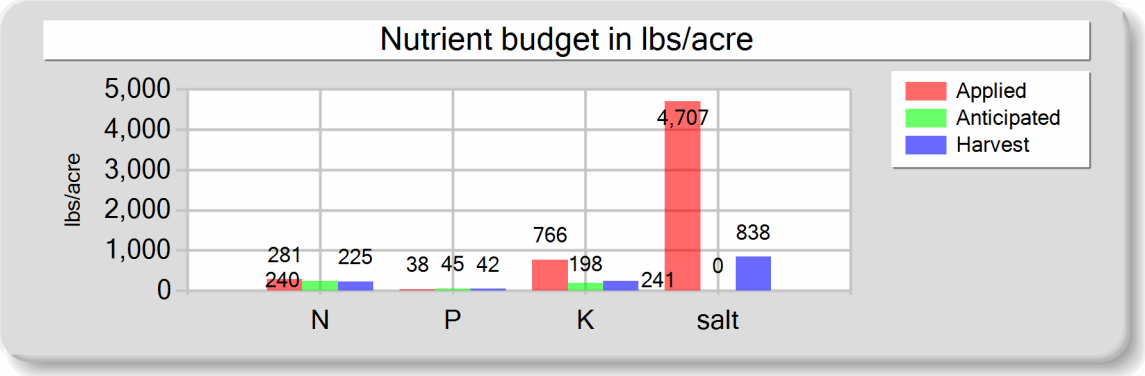

	Total N (lbs/acre)	Total P (lbs/acre)	Total K (lbs/acre)	Total salt (lbs/acre)
Existing soil nutrient content	0.00	0.00	0.00	0.00
Plowdown credit	0.00	0.00	0.00	0.00
Commercial fertilizer / Other	72.00	0.00	0.00	0.00
Dry manure	0.00	0.00	0.00	0.00
Process wastewater	201.77	38.41	765.72	2,858.00
Fresh water	0.00	0.00	0.00	1,849.09
Atmospheric deposition	7.00	0.00	0.00	0.00
Total nutrients applied	280.77	38.41	765.72	4,707.09
Anticipated crop nutrient removal	240.00	45.00	198.00	0.00
Actual crop nutrient removal	225.23	41.90	240.95	838.08
Nutrient balance	55.54	-3.50	524.77	3,869.01
Applied to removed ratio	1.25	0.92	3.18	5.62

Fresh water applied	
88,632,071.00	*gallons*
3,264.02	*acre-inches*
37.95	*inches/acre*

Process wastewater applied	
5,074,800.00	*gallons*
186.89	*acre-inches*
2.17	*inches/acre*

Total harvests for the crop	
1	*harvests*

5 - 01/01/2023: Almond, in shell

Field name: 5 Crop: Almond, in shell Plant date: 01/01/2023

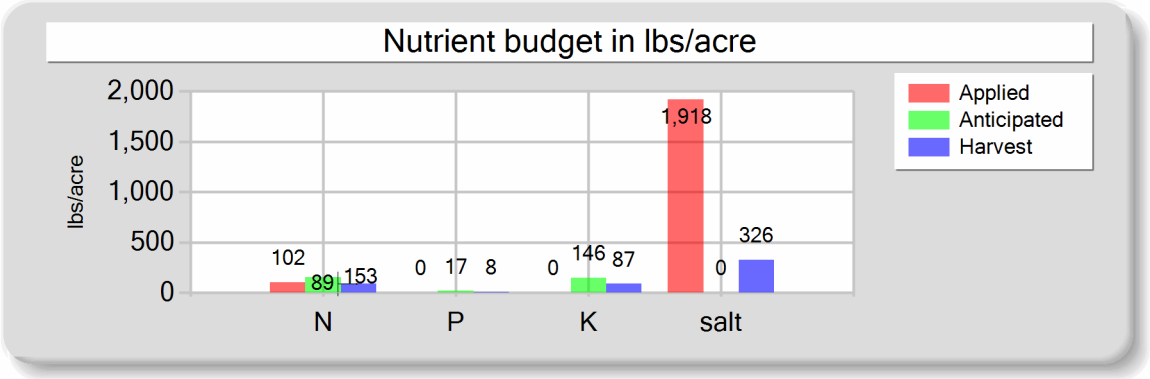

	Total N (lbs/acre)	Total P (lbs/acre)	Total K (lbs/acre)	Total salt (lbs/acre)
Existing soil nutrient content	0.00	0.00	0.00	0.00
Plowdown credit	0.00	0.00	0.00	0.00
Commercial fertilizer / Other	88.00	0.00	0.00	0.00
Dry manure	0.00	0.00	0.00	0.00
Process wastewater	0.00	0.00	0.00	0.00
Fresh water	0.00	0.00	0.00	1,918.39
Atmospheric deposition	14.00	0.00	0.00	0.00
Total nutrients applied	102.00	0.00	0.00	1,918.39
Anticipated crop nutrient removal	152.80	16.80	146.40	0.00
Actual crop nutrient removal	88.86	8.14	87.18	326.08
Nutrient balance	13.14	-8.14	-87.18	1,592.31
Applied to removed ratio	1.15	0.00	0.00	5.88

Fresh water applied	
39,561,511.00	*gallons*
1,456.92	*acre-inches*
39.38	*inches/acre*

Process wastewater applied	
0.00	*gallons*
0.00	*acre-inches*
0.00	*inches/acre*

Total harvests for the crop	
1	*harvests*

6 - 10/26/2022: Oats, silage-soft dough

Field name: 6 Crop: Oats, silage-soft dough Plant date: 10/26/2022

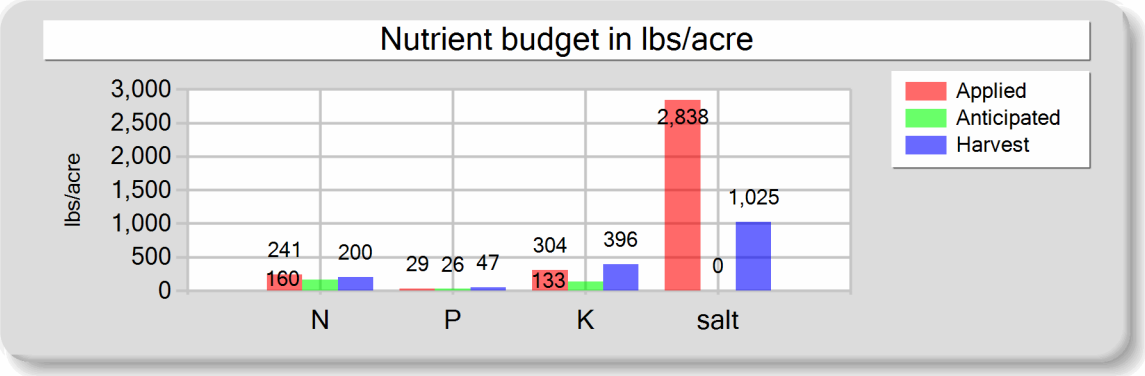

	Total N (lbs/acre)	Total P (lbs/acre)	Total K (lbs/acre)	Total salt (lbs/acre)
Existing soil nutrient content	0.00	0.00	0.00	0.00
Plowdown credit	0.00	0.00	0.00	0.00
Commercial fertilizer / Other	0.00	0.00	0.00	0.00
Dry manure	0.00	0.00	0.00	0.00
Process wastewater	234.48	29.19	304.32	2,294.90
Fresh water	0.00	0.00	0.00	542.67
Atmospheric deposition	7.00	0.00	0.00	0.00
Total nutrients applied	241.48	29.19	304.32	2,837.58
Anticipated crop nutrient removal	160.00	25.60	132.80	0.00
Actual crop nutrient removal	199.62	47.37	395.85	1,025.15
Nutrient balance	41.86	-18.18	-91.53	1,812.43
Applied to removed ratio	1.21	0.62	0.77	2.77

Fresh water applied	
5,444,352.00	*gallons*
200.50	*acre-inches*
11.14	*inches/acre*

Process wastewater applied	
538,050.00	*gallons*
19.81	*acre-inches*
1.10	*inches/acre*

Total harvests for the crop	
1	*harvests*

6 - 05/17/2023: Corn, silage

Field name: 6 Crop: Corn, silage Plant date: 05/17/2023

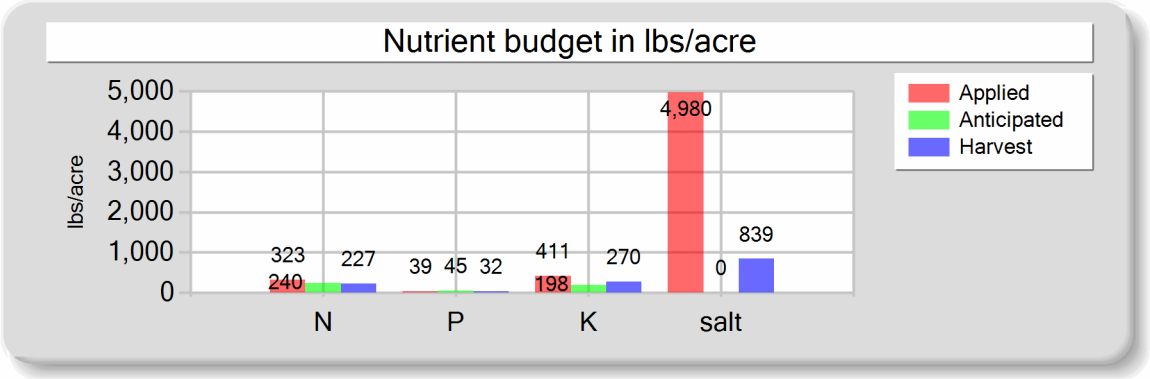

	Total N (lbs/acre)	Total P (lbs/acre)	Total K (lbs/acre)	Total salt (lbs/acre)
Existing soil nutrient content	0.00	0.00	0.00	0.00
Plowdown credit	0.00	0.00	0.00	0.00
Commercial fertilizer / Other	0.00	0.00	0.00	0.00
Dry manure	0.00	0.00	0.00	0.00
Process wastewater	316.40	39.38	410.64	3,096.64
Fresh water	0.00	0.00	0.00	1,883.41
Atmospheric deposition	7.00	0.00	0.00	0.00
Total nutrients applied	323.40	39.38	410.64	4,980.04
Anticipated crop nutrient removal	240.00	45.00	198.00	0.00
Actual crop nutrient removal	227.07	32.44	270.32	838.63
Nutrient balance	96.33	6.94	140.32	4,141.41
Applied to removed ratio	1.42	1.21	1.52	5.94

Fresh water applied	
18,895,197.00	*gallons*
695.85	*acre-inches*
38.66	*inches/acre*

Process wastewater applied	
726,020.00	*gallons*
26.74	*acre-inches*
1.49	*inches/acre*

Total harvests for the crop	
1	*harvests*

7 - 10/26/2022: Oats, silage-soft dough

Field name: 7 Crop: Oats, silage-soft dough Plant date: 10/26/2022

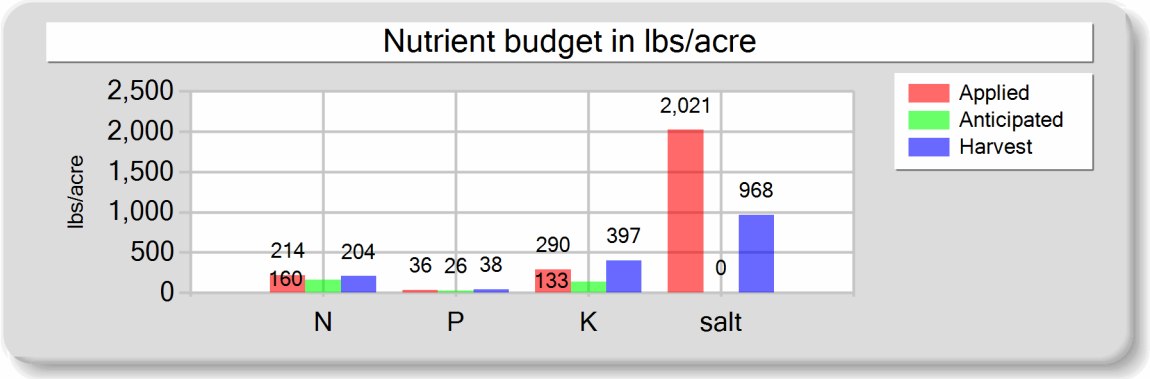

	Total N (lbs/acre)	Total P (lbs/acre)	Total K (lbs/acre)	Total salt (lbs/acre)
Existing soil nutrient content	0.00	0.00	0.00	0.00
Plowdown credit	0.00	0.00	0.00	0.00
Commercial fertilizer / Other	0.00	0.00	0.00	0.00
Dry manure	0.00	0.00	0.00	0.00
Process wastewater	206.84	35.92	289.87	1,506.39
Fresh water	0.00	0.00	0.00	514.58
Atmospheric deposition	7.00	0.00	0.00	0.00
Total nutrients applied	213.84	35.92	289.87	2,020.97
Anticipated crop nutrient removal	160.00	25.60	132.80	0.00
Actual crop nutrient removal	203.86	38.05	396.85	968.28
Nutrient balance	9.98	-2.13	-106.99	1,052.69
Applied to removed ratio	1.05	0.94	0.73	2.09

Fresh water applied	
15,774,220.00	*gallons*
580.91	*acre-inches*
10.56	*inches/acre*

Process wastewater applied	
3,717,100.00	*gallons*
136.89	*acre-inches*
2.49	*inches/acre*

Total harvests for the crop	
1	*harvests*

7 - 05/18/2023: Corn, silage

Field name: 7 Crop: Corn, silage Plant date: 05/18/2023

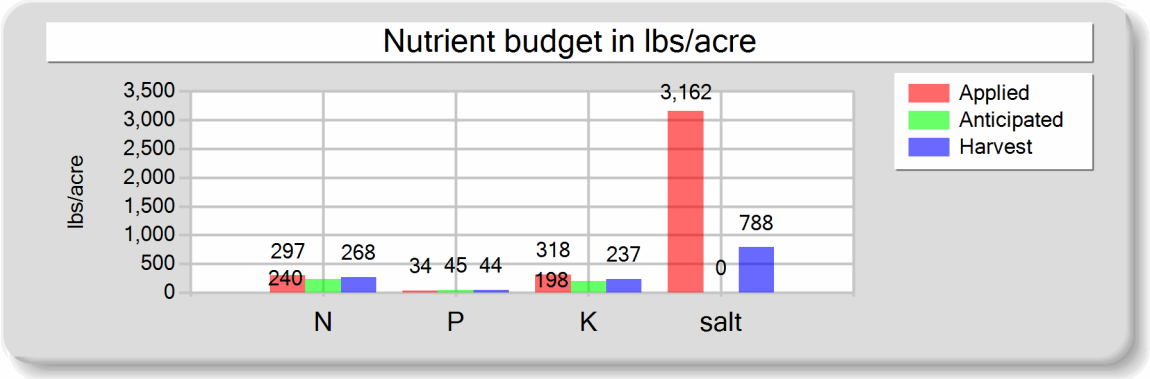

	Total N (lbs/acre)	Total P (lbs/acre)	Total K (lbs/acre)	Total salt (lbs/acre)
Existing soil nutrient content	0.00	0.00	0.00	0.00
Plowdown credit	0.00	0.00	0.00	0.00
Commercial fertilizer / Other	72.00	0.00	0.00	0.00
Dry manure	0.00	0.00	0.00	0.00
Process wastewater	217.65	33.75	318.28	1,452.91
Fresh water	0.00	0.00	0.00	1,709.16
Atmospheric deposition	7.00	0.00	0.00	0.00
Total nutrients applied	296.65	33.75	318.28	3,162.07
Anticipated crop nutrient removal	240.00	45.00	198.00	0.00
Actual crop nutrient removal	268.13	43.65	236.95	788.18
Nutrient balance	28.52	-9.90	81.33	2,373.88
Applied to removed ratio	1.11	0.77	1.34	4.01

Fresh water applied	
52,393,832.00	*gallons*
1,929.49	*acre-inches*
35.08	*inches/acre*

Process wastewater applied	
3,725,990.00	*gallons*
137.22	*acre-inches*
2.49	*inches/acre*

Total harvests for the crop	
1	*harvests*

8 - 10/25/2022: Oats, silage-soft dough

Field name: 8 Crop: Oats, silage-soft dough Plant date: 10/25/2022

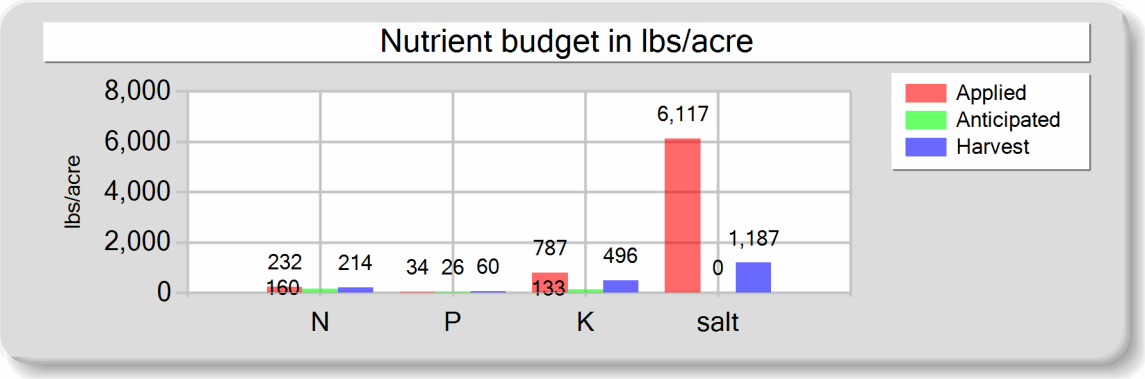

	Total N (lbs/acre)	Total P (lbs/acre)	Total K (lbs/acre)	Total salt (lbs/acre)
Existing soil nutrient content	0.00	0.00	0.00	0.00
Plowdown credit	0.00	0.00	0.00	0.00
Commercial fertilizer / Other	0.00	0.00	0.00	0.00
Dry manure	225.36	33.64	787.09	5,566.82
Process wastewater	0.00	0.00	0.00	0.00
Fresh water	0.00	0.00	0.00	550.67
Atmospheric deposition	7.00	0.00	0.00	0.00
Total nutrients applied	232.36	33.64	787.09	6,117.49
Anticipated crop nutrient removal	160.00	25.60	132.80	0.00
Actual crop nutrient removal	214.17	60.12	495.98	1,186.89
Nutrient balance	18.19	-26.48	291.11	4,930.60
Applied to removed ratio	1.08	0.56	1.59	5.15

Fresh water applied	
20,256,720.00	*gallons*
745.99	*acre-inches*
11.30	*inches/acre*

Process wastewater applied	
0.00	*gallons*
0.00	*acre-inches*
0.00	*inches/acre*

Total harvests for the crop	
1	*harvests*

8 - 05/18/2023: Corn, silage

Field name: 8 Crop: Corn, silage Plant date: 05/18/2023

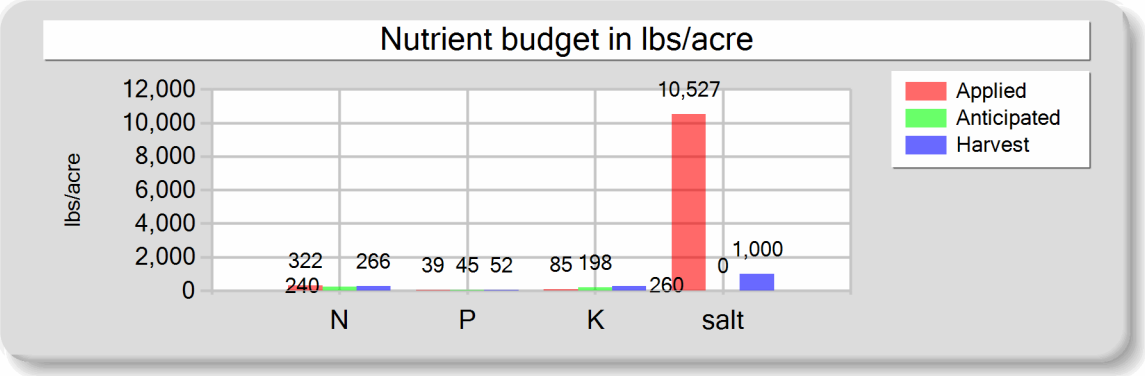

	Total N (lbs/acre)	Total P (lbs/acre)	Total K (lbs/acre)	Total salt (lbs/acre)
Existing soil nutrient content	0.00	0.00	0.00	0.00
Plowdown credit	0.00	0.00	0.00	0.00
Commercial fertilizer / Other	168.00	0.00	0.00	0.00
Dry manure	146.55	39.41	84.97	8,632.92
Process wastewater	0.00	0.00	0.00	0.00
Fresh water	0.00	0.00	0.00	1,894.01
Atmospheric deposition	7.00	0.00	0.00	0.00
Total nutrients applied	321.55	39.41	84.97	10,526.93
Anticipated crop nutrient removal	240.00	45.00	198.00	0.00
Actual crop nutrient removal	266.38	51.98	259.89	999.91
Nutrient balance	55.17	-12.57	-174.91	9,527.02
Applied to removed ratio	1.21	0.76	0.33	10.53

Fresh water applied	
69,672,426.00	*gallons*
2,565.80	*acre-inches*
38.88	*inches/acre*

Process wastewater applied	
0.00	*gallons*
0.00	*acre-inches*
0.00	*inches/acre*

Total harvests for the crop	
1	*harvests*

NUTRIENT ANALYSES

A. MANURE ANALYSES

Fall 2022 Separated Solids

Sample and source description: Fall 2022 Separated Solids

Sample date: 11/15/2022 Material type: Separator solids Source of analysis: Lab analysis Method of reporting: Dry-weight

Moisture: 63.0 %

	Total N (mg/kg)	Total P (mg/kg)	Total K (mg/kg)	Calcium (mg/kg)	Magnesium (mg/kg)	Sodium (mg/kg)	Sulfur (mg/kg)	Chloride (mg/kg)	Total salt (mg/kg)	TFS (%)
Value	13,400.00	2,000.00	46,800.00	12,400.00	2,400.00	250.00	1,800.00	723.00		33.10
DL	100.00	100.00	100.00	100.00	100.00	100.00	100.00	100.00		0.01

Spring Solid Manure

Sample and source description: Spring Solid Manure

Sample date: 05/03/2023 Material type: Separator solids Source of analysis: Lab analysis Method of reporting: Dry-weight

Moisture: 49.2 %

	Total N (mg/kg)	Total P (mg/kg)	Total K (mg/kg)	Calcium (mg/kg)	Magnesium (mg/kg)	Sodium (mg/kg)	Sulfur (mg/kg)	Chloride (mg/kg)	Total salt (mg/kg)	TFS (%)
Value	11,900.00	3,200.00	6,900.00							70.10
DL	100.00	100.00	100.00							0.01

Fall Solid Manure

Sample and source description: Fall Solid Manure

Sample date: 10/23/2023 Material type: Corral solids Source of analysis: Lab analysis Method of reporting: Dry-weight

Moisture: 33.9 %

	Total N (mg/kg)	Total P (mg/kg)	Total K (mg/kg)	Calcium (mg/kg)	Magnesium (mg/kg)	Sodium (mg/kg)	Sulfur (mg/kg)	Chloride (mg/kg)	Total salt (mg/kg)	TFS (%)
Value	15,100.00	5,900.00	47,900.00	23,600.00	5,700.00	3,700.00	3,400.00	1,570.00		56.80
DL	100.00	100.00	100.00	100.00	100.00	100.00	100.00	100.00		0.01

B. PROCESS WASTEWATER ANALYSES

2022 WWSQ4

Sample and source description: 2022 WWSQ4

Sample date: 12/13/2022 Material type: Process wastewater Source of analysis: Lab analysis pH:

	Kjeldahl-N (mg/L)	NH4-N (mg/L)	NH3-N (mg/L)	Nitrate-N (mg/L)	Total P (mg/L)	Total K (mg/L)	Calcium (mg/L)	Magnes. (mg/L)	Sodium (mg/L)	Bicarb. (mg/L)	Carb. (mg/L)	Sulfate (mg/L)	Chloride (mg/L)	EC (µmhos/cm)	TDS (mg/L)
Value	507.00	308.00	0.00	0.00	52.20	863.00								6,560.00	3,760
DL	0.50	0.50	0.50	0.50	0.50	0.50								1.00	10

WWSQ1

Sample and source description: WWSQ1

Sample date: 03/22/2023 Material type: Process wastewater Source of analysis: Lab analysis pH:

	Kjeldahl-N (mg/L)	NH4-N (mg/L)	NH3-N (mg/L)	Nitrate-N (mg/L)	Total P (mg/L)	Total K (mg/L)	Calcium (mg/L)	Magnes. (mg/L)	Sodium (mg/L)	Bicarb. (mg/L)	Carb. (mg/L)	Sulfate (mg/L)	Chloride (mg/L)	EC (µmhos/cm)	TDS (mg/L)
Value	171.00	123.00	0.00	0.00	53.60	292.00								3,100.00	1,660
DL	0.50	0.50	0.50	0.50	0.50	0.50								1.00	10

WWSQ2

Sample and source description: WWSQ2

Sample date: 06/07/2023 Material type: Process wastewater Source of analysis: Lab analysis pH:

	Kjeldahl-N (mg/L)	NH4-N (mg/L)	NH3-N (mg/L)	Nitrate-N (mg/L)	Total P (mg/L)	Total K (mg/L)	Calcium (mg/L)	Magnes. (mg/L)	Sodium (mg/L)	Bicarb. (mg/L)	Carb. (mg/L)	Sulfate (mg/L)	Chloride (mg/L)	EC (µmhos/cm)	TDS (mg/L)
Value	283.00	75.60	0.00	0.00	135.00	2,550.00								8,750.00	8,200
DL	0.50	0.50	0.50	0.50	0.50	0.50								1.00	10

WWSQ3

Sample and source description: WWSQ3

Sample date: 09/19/2023 Material type: Process wastewater Source of analysis: Lab analysis pH:

	Kjeldahl-N (mg/L)	NH4-N (mg/L)	NH3-N (mg/L)	Nitrate-N (mg/L)	Total P (mg/L)	Total K (mg/L)	Calcium (mg/L)	Magnes. (mg/L)	Sodium (mg/L)	Bicarb. (mg/L)	Carb. (mg/L)	Sulfate (mg/L)	Chloride (mg/L)	EC (µmhos/cm)	TDS (mg/L)
Value	188.00	104.00	0.00	0.00	57.60	731.00	87.60	78.30	152.00	1,740.00	0.00	82.70	320.00	4,200.00	3,840
DL	0.50	0.50	0.50	0.50	0.50	0.50	0.50	0.50	0.50	0.50	0.50	0.50	0.50	1.00	10

WWSQ4

Sample and source description: WWSQ4

Sample date: 12/11/2023 Material type: Process wastewater Source of analysis: Lab analysis pH:

	Kjeldahl-N (mg/L)	NH4-N (mg/L)	NH3-N (mg/L)	Nitrate-N (mg/L)	Total P (mg/L)	Total K (mg/L)	Calcium (mg/L)	Magnes. (mg/L)	Sodium (mg/L)	Bicarb. (mg/L)	Carb. (mg/L)	Sulfate (mg/L)	Chloride (mg/L)	EC (µmhos/cm)	TDS (mg/L)
Value	126.00	56.00	0.00	0.00	28.00	365.00								3,100.00	3,960
DL	0.50	0.50	0.50	0.50	0.50	0.50								1.00	10

C. FRESH WATER ANALYSES

Canal

T.I.D Canal

Sample description: T.I.D Canal

Sample date: 08/28/2023 Source of analysis: Lab analysis

	Total N (mg/L)	NH4-N (mg/L)	Nitrate-N (mg/L)	Calcium (mg/L)	Magnesium (mg/L)	Sodium (mg/L)	Bicarbonate (mg/L)	Carbonate (mg/L)	Sulfate (mg/L)	Chloride (mg/L)	EC (µmhos/cm)	TDS (mg/L)
Value	0.00	0.00	0.00								0.00	215
DL	0.50	0.50	0.50								1.00	10

Irrigation Well

IW #1

Sample description: IW #1

Sample date: 12/11/2023 Source of analysis: Lab analysis

	Total N (mg/L)	NH4-N (mg/L)	Nitrate-N (mg/L)	Calcium (mg/L)	Magnesium (mg/L)	Sodium (mg/L)	Bicarbonate (mg/L)	Carbonate (mg/L)	Sulfate (mg/L)	Chloride (mg/L)	EC (µmhos/cm)	TDS (mg/L)
Value	40.10	0.00	40.10								1,460.00	845
DL	0.50	0.50	0.50								1.00	10

Irrigation Well

IW #2

Sample description: IW #2

Sample date: 12/11/2023 Source of analysis: Lab analysis

	Total N (mg/L)	NH4-N (mg/L)	Nitrate-N (mg/L)	Calcium (mg/L)	Magnesium (mg/L)	Sodium (mg/L)	Bicarbonate (mg/L)	Carbonate (mg/L)	Sulfate (mg/L)	Chloride (mg/L)	EC (µmhos/cm)	TDS (mg/L)
Value	27.50	0.00	24.70								1,150.00	610
DL	0.50	0.50	0.50								1.00	10

IW #3

Sample description: IW #3

Sample date: 12/11/2023 Source of analysis: Lab analysis

	Total N (mg/L)	NH4-N (mg/L)	Nitrate-N (mg/L)	Calcium (mg/L)	Magnesium (mg/L)	Sodium (mg/L)	Bicarbonate (mg/L)	Carbonate (mg/L)	Sulfate (mg/L)	Chloride (mg/L)	EC (µmhos/cm)	TDS (mg/L)
Value	30.90	0.00	25.30								938.00	480
DL	0.50	0.50	0.50								1.00	10

D. SOIL ANALYSES

1

Soil

Sample and source description: Soil

Sample date: 12/19/2023 Source of analysis: Lab analysis

	Nitrate-N (mg/kg)	Total P (mg/kg)	Soluble P (mg/kg)	K (mg/kg)	EC (µmhos/cm)	Organic matter (%)	Total salt (mg/kg)
Value			27.00				
DL			4.00				

2

2

Soil

Sample and source description: Soil

Sample date: 12/19/2023 Source of analysis: Lab analysis

	Nitrate-N (mg/kg)	Total P (mg/kg)	Soluble P (mg/kg)	K (mg/kg)	EC (µmhos/cm)	Organic matter (%)	Total salt (mg/kg)
Value			27.00				
DL			4.00				

3

Soil

Sample and source description: Soil

Sample date: 12/19/2023 Source of analysis: Lab analysis

	Nitrate-N (mg/kg)	Total P (mg/kg)	Soluble P (mg/kg)	K (mg/kg)	EC (µmhos/cm)	Organic matter (%)	Total salt (mg/kg)
Value			24.00				
DL			4.00				

4

Soil

Sample and source description: Soil

Sample date: 12/19/2023 Source of analysis: Lab analysis

	Nitrate-N (mg/kg)	Total P (mg/kg)	Soluble P (mg/kg)	K (mg/kg)	EC (µmhos/cm)	Organic matter (%)	Total salt (mg/kg)
Value			24.00				
DL			4.00				

5

5

Soil

Sample and source description: Soil

Sample date: 12/19/2023 Source of analysis: Lab analysis

	Nitrate-N (mg/kg)	Total P (mg/kg)	Soluble P (mg/kg)	K (mg/kg)	EC (µmhos/cm)	Organic matter (%)	Total salt (mg/kg)
Value			22.00				
DL			4.00				

6

Soil

Sample and source description: Soil

Sample date: 12/19/2023 Source of analysis: Lab analysis

	Nitrate-N (mg/kg)	Total P (mg/kg)	Soluble P (mg/kg)	K (mg/kg)	EC (µmhos/cm)	Organic matter (%)	Total salt (mg/kg)
Value			22.00				
DL			4.00				

7

Soil

Sample and source description: Soil

Sample date: 12/19/2023 Source of analysis: Lab analysis

	Nitrate-N (mg/kg)	Total P (mg/kg)	Soluble P (mg/kg)	K (mg/kg)	EC (µmhos/cm)	Organic matter (%)	Total salt (mg/kg)
Value			24.00				
DL			4.00				

8

8

Soil

Sample and source description: Soil

Sample date: 12/19/2023 Source of analysis: Lab analysis

	Nitrate-N (mg/kg)	Total P (mg/kg)	Soluble P (mg/kg)	K (mg/kg)	EC (µmhos/cm)	Organic matter (%)	Total salt (mg/kg)
Value			24.00				
DL			4.00				

E. PLANT TISSUE ANALYSES

1 - 01/01/2023: Almond, in shell

Almonds

Sample and source description: Almonds

Sample date: 11/22/2023 Source of analysis: Lab analysis Method of reporting: As-is

Moisture: 9.3 %

	Total N (mg/kg)	Total P (mg/kg)	Total K (mg/kg)	Total salt (mg/kg)	TFS (%)
Value	37,100.00	3,400.00	36,400.00		15.01
DL	100.00	100.00	100.00		0.01

2 - 01/01/2023: Almond, in shell

Almonds

Sample and source description: Almonds

Sample date: 11/22/2023 Source of analysis: Lab analysis Method of reporting: As-is

Moisture: 9.3 %

	Total N (mg/kg)	Total P (mg/kg)	Total K (mg/kg)	Total salt (mg/kg)	TFS (%)
Value	37,100.00	3,400.00	36,400.00		15.01
DL	100.00	100.00	100.00		0.01

3 - 10/26/2022: Oats, silage-soft dough

Winter Forage

Sample and source description: Winter Forage

Sample date: 04/25/2023 Source of analysis: Lab analysis Method of reporting: As-is

Moisture: 66.1 %

	Total N (mg/kg)	Total P (mg/kg)	Total K (mg/kg)	Total salt (mg/kg)	TFS (%)
Value	7,200.00	1,500.00	12,500.00		9.55
DL	100.00	100.00	100.00		0.01

3 - 05/17/2023: Corn, silage

Corn Silage

Sample and source description: Corn Silage

Sample date: 09/11/2023 Source of analysis: Lab analysis Method of reporting: As-is

Moisture: 83.1 %

	Total N (mg/kg)	Total P (mg/kg)	Total K (mg/kg)	Total salt (mg/kg)	TFS (%)
Value	2,000.00	200.00	2,700.00		5.51
DL	100.00	100.00	100.00		0.01

4 - 10/26/2022: Oats, silage-soft dough

Winter Forage

Sample and source description: Winter Forage

Sample date: 04/25/2023 Source of analysis: Lab analysis Method of reporting: As-is

Moisture: 56.5 %

	Total N (mg/kg)	Total P (mg/kg)	Total K (mg/kg)	Total salt (mg/kg)	TFS (%)
Value	9,600.00	2,000.00	16,400.00		10.10
DL	100.00	100.00	100.00		0.01

4 - 05/17/2023: Corn, silage

Corn Silage

Sample and source description: Corn Silage

Sample date: 09/11/2023 Source of analysis: Lab analysis Method of reporting: As-is

Moisture: 83.4 %

	Total N (mg/kg)	Total P (mg/kg)	Total K (mg/kg)	Total salt (mg/kg)	TFS (%)
Value	1,800.00	200.00	2,400.00		4.83
DL	100.00	100.00	100.00		0.01

5 - 01/01/2023: Almond, in shell

Almonds

Sample and source description: Almonds

Sample date: 11/22/2023 Source of analysis: Lab analysis Method of reporting: As-is

Moisture: 9.3 %

	Total N (mg/kg)	Total P (mg/kg)	Total K (mg/kg)	Total salt (mg/kg)	TFS (%)
Value	37,100.00	3,400.00	36,400.00		15.01
DL	100.00	100.00	100.00		0.01

6 - 10/26/2022: Oats, silage-soft dough

Winter Forage

Sample and source description: Winter Forage

Sample date: 04/25/2023 Source of analysis: Lab analysis Method of reporting: As-is

Moisture: 65.0 %

	Total N (mg/kg)	Total P (mg/kg)	Total K (mg/kg)	Total salt (mg/kg)	TFS (%)
Value	6,900.00	1,600.00	13,700.00		10.10
DL	100.00	100.00	100.00		0.01

6 - 05/17/2023: Corn, silage

Corn Silage

Sample and source description: Corn Silage

Sample date: 09/11/2023 Source of analysis: Lab analysis Method of reporting: As-is

Moisture: 80.2 %

	Total N (mg/kg)	Total P (mg/kg)	Total K (mg/kg)	Total salt (mg/kg)	TFS (%)
Value	2,400.00	400.00	2,500.00		4.63
DL	100.00	100.00	100.00		0.01

7 - 10/26/2022: Oats, silage-soft dough

Winter Forage

Sample and source description: Winter Forage

Sample date: 04/25/2023 Source of analysis: Lab analysis Method of reporting: As-is

Moisture: 63.2 %

	Total N (mg/kg)	Total P (mg/kg)	Total K (mg/kg)	Total salt (mg/kg)	TFS (%)
Value	7,500.00	1,400.00	14,600.00		9.68
DL	100.00	100.00	100.00		0.01

7 - 05/18/2023: Corn, silage

Corn Silage

Sample and source description: Corn Silage

Sample date: 09/11/2023 Source of analysis: Lab analysis Method of reporting: As-is

Moisture: 86.0 %

	Total N (mg/kg)	Total P (mg/kg)	Total K (mg/kg)	Total salt (mg/kg)	TFS (%)
Value	1,500.00	200.00	2,100.00		5.22
DL	100.00	100.00	100.00		0.01

8 - 10/25/2022: Oats, silage-soft dough

Winter Forage

Sample and source description: Winter Forage

Sample date: 04/28/2023 Source of analysis: Lab analysis Method of reporting: As-is

Moisture: 70.2 %

	Total N (mg/kg)	Total P (mg/kg)	Total K (mg/kg)	Total salt (mg/kg)	TFS (%)
Value	5,700.00	1,600.00	13,200.00		10.60
DL	100.00	100.00	100.00		0.01

8 - 05/18/2023: Corn, silage

Corn Silage

Sample and source description: Corn Silage

Sample date: 09/11/2023 Source of analysis: Lab analysis Method of reporting: As-is

Moisture: 85.0 %

	Total N (mg/kg)	Total P (mg/kg)	Total K (mg/kg)	Total salt (mg/kg)	TFS (%)
Value	1,600.00	200.00	1,400.00		5.14
DL	100.00	100.00	100.00		0.01

F. SUBSURFACE (TILE) DRAINAGE ANALYSES

No subsurface (tile) drainage analyses entered.

NUTRIENT APPLICATIONS, POTENTIAL REMOVAL, AND BALANCE

A. SUMMARY OF NUTRIENT APPLICATIONS, POTENTIAL REMOVAL, AND BALANCE

	Total N (lbs)	Total P (lbs)	Total K (lbs)	Total salt (lbs)
Existing soil nutrient content	0.00	0.00	0.00	0.00
Plowdown credit	0.00	0.00	0.00	0.00
Commercial fertilizer / Other	32,336.00	0.00	0.00	0.00
Dry manure	24,546.32	4,820.96	57,556.32	937,182.80
Process wastewater	84,122.56	19,390.57	310,475.43	1,236,628.76
Fresh water	0.00	0.00	0.00	806,440.97
Atmospheric deposition	5,012.00	0.00	0.00	0.00
Total nutrients applied	146,016.88	24,211.53	368,031.75	2,980,252.53
Anticipated crop nutrient removal	119,716.00	20,163.80	100,908.40	0.00
Actual crop nutrient removal	126,017.38	23,911.33	178,436.27	528,008.94
Nutrient balance	19,999.50	300.20	189,595.48	2,452,243.59
Applied to removed ratio	1.16	1.01	2.06	5.64

B. POUNDS OF NUTRIENT APPLIED VS. CROP REMOVAL

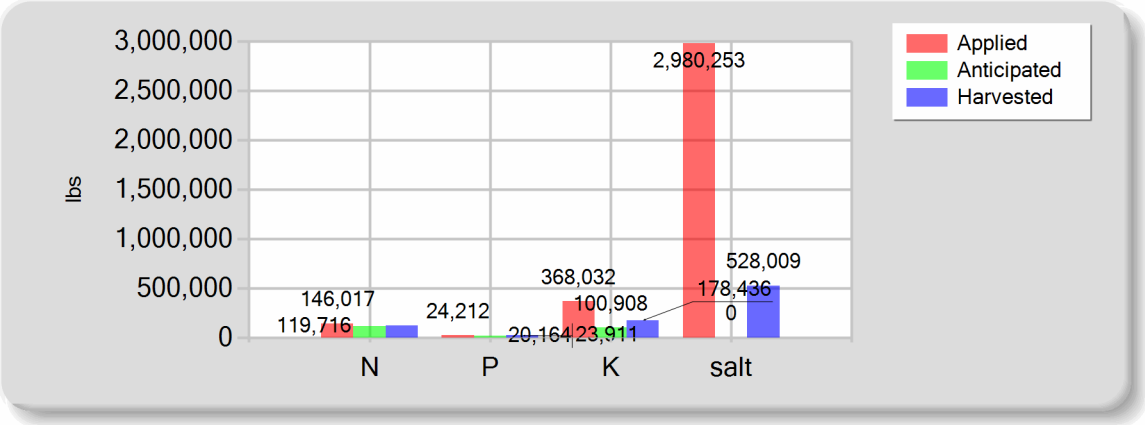

C. POUNDS OF NUTRIENT APPLIED BY MATERIAL TYPE

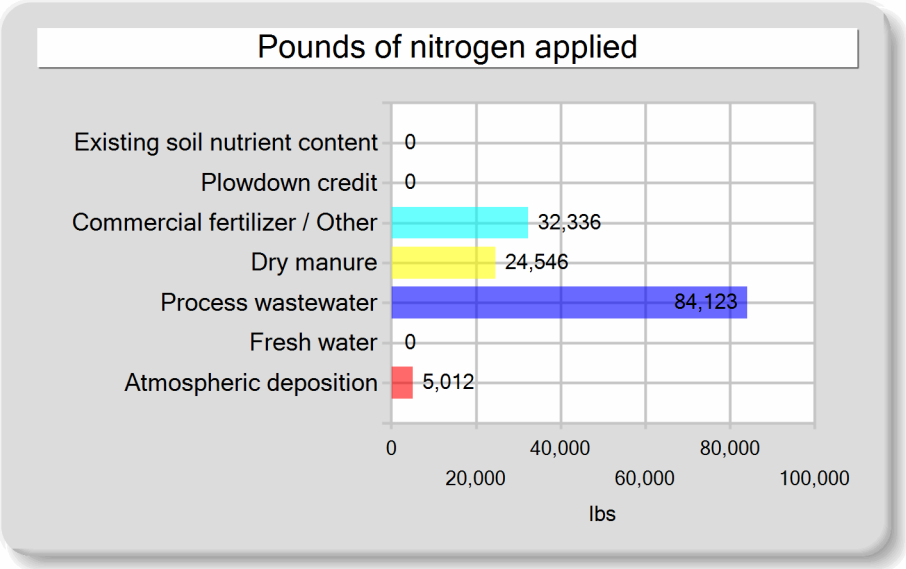

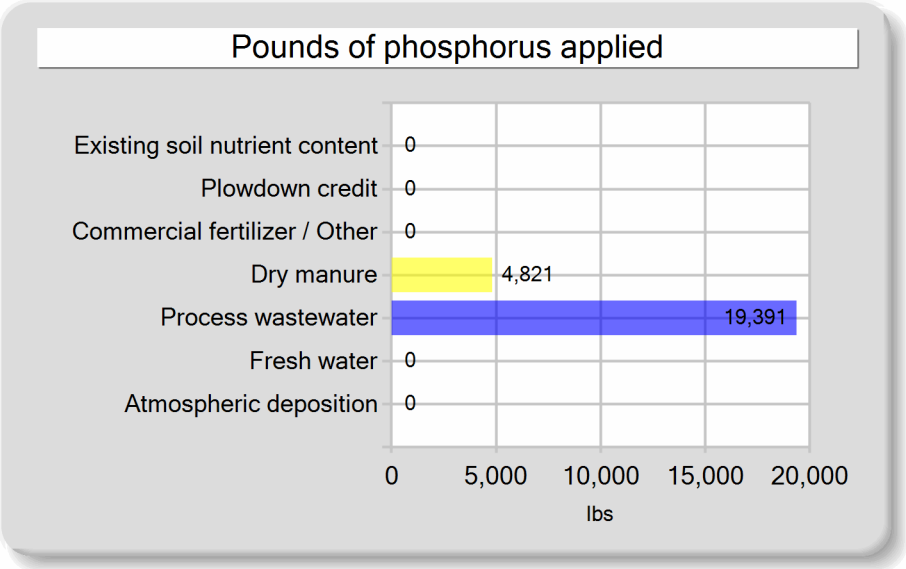

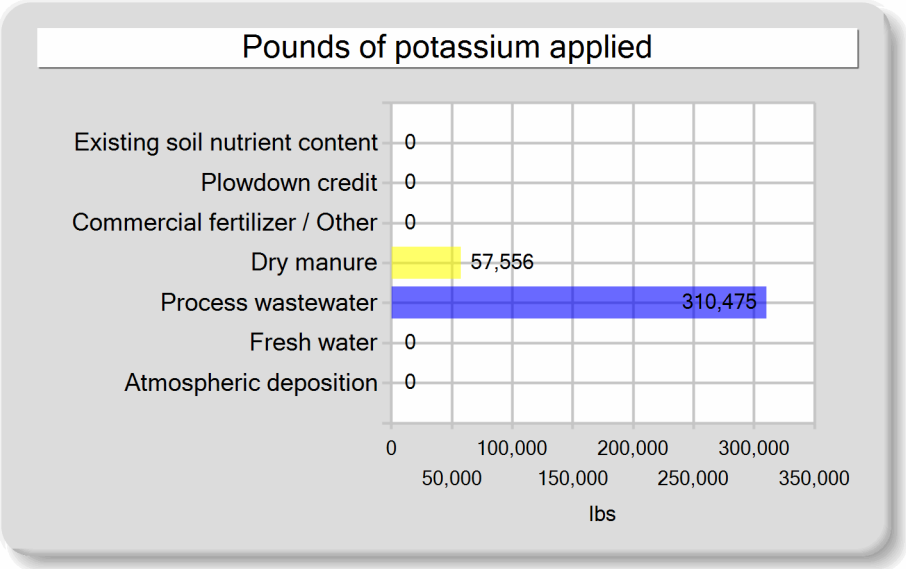

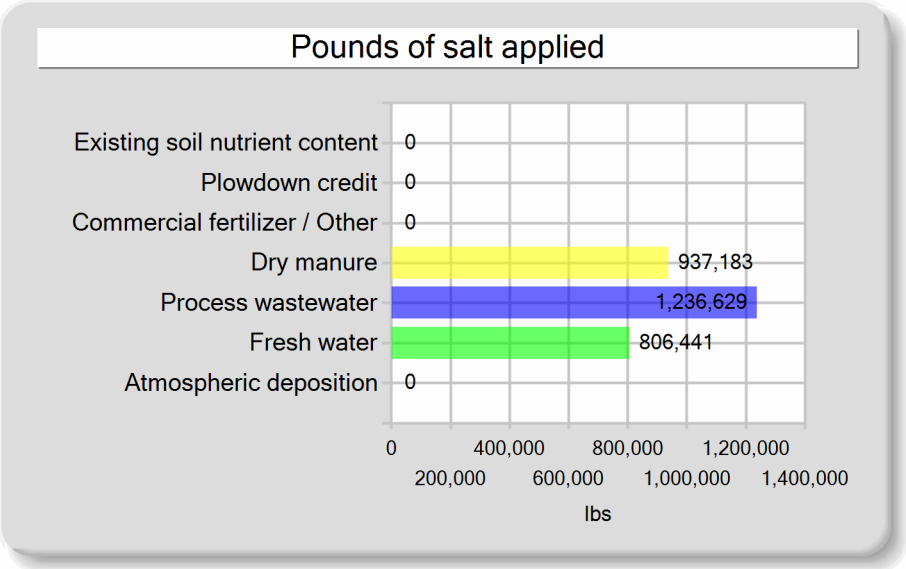

EXCEPTION REPORTING

A. MANURE, PROCESS WASTEWATER, AND OTHER DAIRY WASTE DISCHARGES

The following is a summary of all manure and process wastewater discharges from the production area to surface water or to land areas (land application areas or otherwise) when not in accordance with the facility's Nutrient Management Plan.

No manure or process wastewater discharges occurred during the reporting period.

B. STORM WATER DISCHARGES

The following is a summary of all storm water discharges from the production area to surface water during the reporting period when not in accordance with the facility 's Nutrient Management Plan.

No stormwater discharges occurred during the reporting period.

C. LAND APPLICATION AREA TO SURFACE WATER DISCHARGES

The following is a summary of all discharges from the land application area to surface water that have occurred during the reporting period when not in accordance with the facility's Nutrient Management Plan.

No land application area to surface water discharges occurred during the reporting period.

NUTRIENT MANAGEMENT PLAN AND EXPORT AGREEMENT STATEMENTS

A. NUTRIENT MANAGEMENT PLAN STATEMENTS

Was the facility's NMP updated in the reporting period?	No
Was the facility's NMP developed by a certified nutrient management planner (specialist) as specified in Attachment C of the General Order?	Yes
Was the facility's NMP approved by a certified nutrient management planner (specialist) as specified in Attachment C of the General Order?	Yes

B. EXPORT AGREEMENT STATEMENT

Are there any written agreements with third parties to receive manure or process wastewater that are new or were revised within the reporting period?	No

ADDITIONAL NOTES

A. NOTES

Facility only housing heifers onsite.

CERTIFICATION

A. OWNER AND/OR OPERATOR CERTIFICATION

I certify under penalty of law that I have personally examined and am familiar with the information submitted in this document and all attachments and that, based on my inquiry of those individuals immediately responsible for obtaining the information, I believe that the information is true, accurate, and complete. I am aware that there are significant penalties for submitting false information, including the possibility of fine and imprisonment.

Eric Huff Eric Huff (May 28, 2024 17:15 PDT)	Eric Huff Eric Huff (May 28, 2024 17:15 PDT)
SIGNATURE OF OWNER OF FACILITY	SIGNATURE OF OPERATOR OF FACILITY
Eric Huff	SAME AS OWNER
PRINT OR TYPE NAME	PRINT OR TYPE NAME
May 28, 2024	May 28, 2024
DATE	DATE

ATTACHMENTS

A. REQUIRED ATTACHMENTS

The following lists the required documents that should be attached to the Annual Report when submitted .

Annual Dairy Facility Assessment
Provide an Annual Dairy Facility Assessment (an update to the Preliminary Dairy Facility Assessment in Attachment A) for each reporting period. On the PDFA Final page, click on the ADFA Report button to generate an ADFA report after updating information as needed .

Manure/Process Wastewater Tracking Manifests
Provide copies of all manure/process wastewater tracking manifests for the reporting period, signed by both the owner/operator and the hauler.

Corrective Actions Documents
Provide records documenting any corrective actions taken to correct deficiencies noted as a result of the inspections required in the Monitoring Requirements of the General Order. Deficiencies not corrected in 30 days must be accompanied by an explanation of the factors preventing immediate correction.

Groundwater Monitoring
Dischargers that monitor supply wells or subsurface (tile) drainage systems, or that have monitoring well systems must submit monitoring results as directed in the General Order, Groundwater Reporting Section starting on page MRP-13.

Storm Water Monitoring
Dischargers that are required to monitor storm water more frequently than required in the General Order must submit monitoring results as directed in the General Order, Storm Water Reporting Section on page MRP-14.

Denele Analytical, Inc.

865 South Kilroy Avenue Turlock, CA 95380
Phone (209) 634-9055 - Fax (209) 634-9057

www.denelelabs.com

40 N. East Street, Woodland, CA 95776
Phone (530) 666-9056 - Fax (530) 666-9058

Compliance Analysis Report

Customer
B & D Dairy
P. O. Box 399
Hilmar, CA 95324

Grower

Consultant:
F & R Ag Services
2857 Geer Rd. Ste A
Turlock, CA 95382

PURCHASE ORDER:
RECEIVED DATE: 10/30/23 2:35 PM
SUBMITTED BY: KJ
ANALYZED DATE: 10/31/23

Irrigation/ Ground Water (H1)
SOURCE: Well Water

NOTES: Temperature was above qualifying at 21.4c

Sample ID	Lab ID	Analyte	Method Ref	Result	Units
DW #1	T3303047A	Electrical Conductivity (EC)	EPA 120.1 and	1.12	mmhos/cm
		Nitrate Nitrogen (NO3-N)	EPA 353.2	47.0	mg/L
		Ammonia Nitrogen (NH3-N)	SM 4500-NH3 D,C	< 0.500	mg/L
		Soluble Salts (SALT-SOL)	Calculation	714	mg/L

Laboratory Quality Control	LCS %	MS %	MSD %	RPD %
Ammonia Nitrogen (NH3-N)	96.0	95.8 (T3303043A)	94.6 (T3303043A)	1.26
Electrical Conductivity (EC)	97.1			0.309
Nitrate Nitrogen (NO3-N)	97.5	98.5 (T3303041A)	101 (T3303041A)	2.29

The warranty of Denele Analytical is limited to the accuracy of the analyses of the samples as received. Denele Analytical assumes no responsibility for which the customer uses our test results, nor liability for any other warranties, express or implied. These terms and conditions shall supercede any conflicting terms and conditions submitted on customer purchase orders or other forms submitted for work.

ELAP Certificate No.: 2714

Denele Analytical, Inc.

865 South Kilroy Avenue Turlock, CA 95380
Phone (209) 634-9055 - Fax (209) 634-9057

www.denelelabs.com

40 N. East Street, Woodland, CA 95776
Phone (530) 666-9056 - Fax (530) 666-9058

Compliance Analysis Report

Customer
B & D Dairy
P. O. Box 399
Hilmar, CA 95324

Grower

Consultant:
F & R Ag Services
2857 Geer Rd. Ste A
Turlock, CA 95382

PURCHASE ORDER:
RECEIVED DATE: 10/30/23 2:35 PM
SUBMITTED BY: KJ
ANALYZED DATE: 10/31/23

Irrigation/ Ground Water (H1)
SOURCE: Well Water

NOTES: Temperature was above qualifying at 21.2c

Sample ID	Lab ID	Analyte	Method Ref	Result	Units
DW #2	T3303047B	Electrical Conductivity (EC)	EPA 120.1 and	1.12	mmhos/cm
		Nitrate Nitrogen (NO3-N)	EPA 353.2	46.4	mg/L
		Ammonia Nitrogen (NH3-N)	SM 4500-NH3 D,C	< 0.500	mg/L
		Soluble Salts (SALT-SOL)	Calculation	719	mg/L

Laboratory Quality Control	LCS %	MS %	MSD %	RPD %
Ammonia Nitrogen (NH3-N)	96.0	95.8 (T3303043A)	94.6 (T3303043A)	1.26
Electrical Conductivity (EC)	97.1			0.309
Nitrate Nitrogen (NO3-N)	97.5	98.5 (T3303041A)	101 (T3303041A)	2.29

The warranty of Denele Analytical is limited to the accuracy of the analyses of the samples as received. Denele Analytical assumes no responsibility for which the customer uses our test results, nor liability for any other warranties, express or implied. These terms and conditions shall supercede any conflicting terms and conditions submitted on customer purchase orders or other forms submitted for work.

ELAP Certificate No.: 2714

DENELE ANALYTICAL, INC.

865 S. KILROY
TURLOCK, CA 95380

PH# 209-634-9055 FAX# 209-634-9057

DAIRY COMPLIANCE

Client: B & D Dairy
Mailing address:
(not facility address)
Phone#:

Authorized Copy Released To:
F & R Ag Services

Sampled By: K.Jones
Project ID:

ANALYSIS TO BE COMPLETED:

IRRIGATION/GROUND WATER
H1 EC*, NO3-N, NH4-N*
H6 EC, TN, TDS
H7 Combination of H1 & H6
H14 EC, NO3-N, NH4-N, Ca, Mg, Na, Bicarb Carb, SO4, Cl, TDS

PROCESS WASTE WATER
H3 EC*, NH4-N, TKN, TP, K, TDS
H4 EC*, NO3-N, NH4-N, TKN, TP, K, TDS
H5 Ca, Mg, Na, Bicarb, Carb, SO4, Cl
H8 Combination of H3 &H5
H9 Combination of H4 &H5

TILE DRAIN
H2 EC*, NO3-N, TP, NH4-N*, TDS

** Required Field Measurement*

___ (Check here if performed)

DISCHARGE WATER
E1 EC*, Temp*, pH*, NO3-N, NH4-N, TKN, TP, K, TDS, Dissolved Oxygen*, BOD 5, TSS, Total & Fecal Coliforms
E2 EC,* Temp*, pH*, NO3-N, NH4-N*, Turbidity, TP, Dissolved Oxygen*, Total & Fecal Coliforms
E3 EC*, Temp*, pH*, NO3-N, NH4-N*, TP, Total & Fecal Coliforms
E4 EC*, Temp*, pH*, NO3-N, NH4-N*, Turbidity, TP, Total & Fecal Coliform

MANURE
M1 % Moisture
M3 TN TP, K, % Moisture
M4 Ca, Mg, Na, Bicarb, Carb, SO4, Cl, Ash
M7 Combination of M3 & M4

PLANT TISSUE
F18 % Moisture, Ash, TN, P, K, DM and as received
F18+ % Moisture, Ash, TN, P, K, DM and as received (Package also includes NIR DCAD)
F19+ % Moisture, TN (Package includes complete plant tissue analysis)

SOIL
K3 Soluble Phosphorus
K4 1ft NO3, Organic Matter
K5 Pre-Plant (2ft NO3), Fall (1-2ft NO3), Fall (2-3ft NO3)
K6 0-1ft EC, NO3, Soluble P, K, Organic Matter
K7 Combination of K3 & K4
K8 Combination of K3 & K5

	Date Collected	Time Collected	Sample ID	Description	Temp	Well Purge	H1	H3	M3	F18	OTHER
1	10/30	6:15	Domestic Wells	DW #1	21.4		X				
2	↓	6:30	Domestic Wells	DW #2	21.2		X				
3											
4											
5											
6											
7											
8											
9											
10											

Analysis

CHAIN OF CUSTODY RECORDING

	Signature	Company	Received Date & Time	Relinquished Date & Time	Logged In By:	LABORATORY NUMBER
1st		F & R Ag Services				
2nd		DENELE ANALYTICAL, INC.	10/30/23			T3303047

(LABORATORY USE ONLY)

Required to be submitted to any agency? (YES / NO)

Denele Analytical, Inc.

865 South Kilroy Avenue Turlock, CA 95380
Phone (209) 634-9055 - Fax (209) 634-9057

40 N. East Street, Woodland, CA 95776
Phone (530) 666-9056 - Fax (530) 666-9058

www.denelelabs.com

Compliance Analysis Report

Customer
B & D Dairy
P. O. Box 399
Hilmar, CA 95324

Grower

Consultant:
F & R Ag Services
2857 Geer Rd. Ste A
Turlock, CA 95382

PURCHASE ORDER:
RECEIVED DATE: 12/11/23 12:57 PM
SUBMITTED BY: KJ
ANALYZED DATE: 12/12/23

Process Waste Water (H3)
SOURCE: Lagoon Water

Sample ID	Lab ID	Analyte	Method Ref	Result	Units	Lbs/10000 Gal as Rec'd
WWSQ4	T3345031A	Total Dissolved Solids (TDS)	SM 2540 C-1997	3960	mg/L	330
		Total Phosphorus (TP)	EPA 200.7	28.0	mg/L	2.34
		Electrical Conductivity (EC)	EPA 120.1 and	3.10	mmhos/cm	N/A
		Ammonia Nitrogen (NH3-N)	SM 4500-NH3 C-	56.0	mg/L	4.67
		Total Kjeldahl Nitrogen (TKN)	SM 4500-NH3 C-	126	mg/L	10.5
		Total Potassium (TK)	EPA 200.7	365	mg/L	30.4
		Soluble Salts (SALT-SOL)	Calculation	1980	mg/L	165

Laboratory Quality Control	LCS %	MS %	MSD %	Sample mg/L	Dup mg/L	RPD %
Ammonia Nitrogen (NH3-N)	95.2			294 (T3345017A)	308 (null)	4.65
Total Dissolved Solids (TDS)	101			8560 (T3346010A)	8200 (Dup)	4.30
Total Kjeldahl Nitrogen (TKN)	101			403 (T3345017A)	420 (null)	4.08
Total Phosphorus (TP)	99.6	87.1 (T3345023A)	84.2 (T3345023A)			3.36
Total Potassium (TK)	99.5	96.1 (T3345023A)	90.3 (T3345023A)			6.22

The warranty of Denele Analytical is limited to the accuracy of the analyses of the samples as received. Denele Analytical assumes no responsibility for which the customer uses our test results, nor liability for any other warranties, express or implied. These terms and conditions shall supercede any conflicting terms and conditions submitted on customer purchase orders or other forms submitted for work.

ELAP Certificate No.: 2714

Denele Analytical, Inc.

865 South Kilroy Avenue Turlock, CA 95380
Phone (209) 634-9055 - Fax (209) 634-9057

40 N. East Street, Woodland, CA 95776
Phone (530) 666-9056 - Fax (530) 666-9058

www.denelelabs.com

Compliance Analysis Report

Customer
B & D Dairy
P. O. Box 399
Hilmar, CA 95324

Grower

Consultant:
F & R Ag Services
2857 Geer Rd. Ste A
Turlock, CA 95382

PURCHASE ORDER:
RECEIVED DATE: 12/11/23 12:57 PM
SUBMITTED BY: KJ
ANALYZED DATE: 12/11/23

Irrigation / Ground Water (H7)
SOURCE: Irrigation Water

NOTES: Temperature above qualifying at 19.4 C

Sample ID	Lab ID	Analyte	Method Ref	Result	Units
IW1	T3345031B	Electrical Conductivity (EC)	EPA 120.1 and	1.46	mmhos/cm
		Ammonia Nitrogen (NH3-N)	SM 4500-NH3 D,C	< 0.500	mg/L
		Nitrate Nitrogen (NO3-N)	EPA 353.2	40.1	mg/L
		Total Dissolved Solids (TDS)	SM 2540 C-1997 and	845	mg/L
		Total Nitrogen (TN)	SM 4500-NH3 D,C	40.1	mg/L
		Soluble Salts (SALT-SOL)	Calculation	937	mg/L

Laboratory Quality Control	LCS %	MS %	MSD %	Sample mg/L	Dup mg/L	RPD %
Ammonia Nitrogen (NH3-N)	90.4	98.2 (T3342032A)	100 (T3342032A)			1.81
Electrical Conductivity (EC)	99.1			4.45 (T3345023A)	4.46 (Dup)	0.090
Nitrate Nitrogen (NO3-N)	100	105 (T3347004A)	102 (T3347004A)			3.32
Total Dissolved Solids (TDS)	101			880 (W3346003B)	860 (Dup)	2.30
Total Nitrogen (TN)	99.1			0.000 (T3345031B)	0.000 (null)	

The warranty of Denele Analytical is limited to the accuracy of the analyses of the samples as received. Denele Analytical assumes no responsibility for which the customer uses our test results, nor liability for any other warranties, express or implied. These terms and conditions shall supercede any conflicting terms and conditions submitted on customer purchase orders or other forms submitted for work.

ELAP Certificate No.: 2714

Denele Analytical, Inc.

865 South Kilroy Avenue Turlock, CA 95380
Phone (209) 634-9055 - Fax (209) 634-9057

40 N. East Street, Woodland, CA 95776
Phone (530) 666-9056 - Fax (530) 666-9058

www.denelelabs.com

Compliance Analysis Report

Customer
B & D Dairy
P. O. Box 399
Hilmar, CA 95324

Grower

Consultant:
F & R Ag Services
2857 Geer Rd. Ste A
Turlock, CA 95382

PURCHASE ORDER:
RECEIVED DATE: 12/11/23 12:57 PM
SUBMITTED BY: KJ
ANALYZED DATE: 12/11/23

Irrigation / Ground Water (H7)
SOURCE: Irrigation Water

NOTES: Temperature above qualifying at 19.6 C

Sample ID	Lab ID	Analyte	Method Ref	Result	Units
IW2	T3345031C	Electrical Conductivity (EC)	EPA 120.1 and	1.15	mmhos/cm
		Ammonia Nitrogen (NH3-N)	SM 4500-NH3 D,C	< 0.500	mg/L
		Nitrate Nitrogen (NO3-N)	EPA 353.2	24.7	mg/L
		Total Dissolved Solids (TDS)	SM 2540 C-1997 and	610	mg/L
		Total Nitrogen (TN)	SM 4500-NH3 D,C	27.5	mg/L
		Soluble Salts (SALT-SOL)	Calculation	734	mg/L

Laboratory Quality Control	LCS %	MS %	MSD %	Sample mg/L	Dup mg/L	RPD %
Ammonia Nitrogen (NH3-N)	90.4	98.2 (T3342032A)	100 (T3342032A)			1.81
Electrical Conductivity (EC)	99.1			4.45 (T3345023A)	4.46 (Dup)	0.090
Nitrate Nitrogen (NO3-N)	100	105 (T3347004A)	102 (T3347004A)			3.32
Total Dissolved Solids (TDS)	101			880 (W3346003B)	860 (Dup)	2.30
Total Nitrogen (TN)	99.1			0.000 (T3345031B)	0.000 (null)	

The warranty of Denele Analytical is limited to the accuracy of the analyses of the samples as received. Denele Analytical assumes no responsibility for which the customer uses our test results, nor liability for any other warranties, express or implied. These terms and conditions shall supercede any conflicting terms and conditions submitted on customer purchase orders or other forms submitted for work.

ELAP Certificate No.: 2714

Denele Analytical, Inc.

865 South Kilroy Avenue Turlock, CA 95380
Phone (209) 634-9055 - Fax (209) 634-9057

40 N. East Street, Woodland, CA 95776
Phone (530) 666-9056 - Fax (530) 666-9058

www.denelelabs.com

Compliance Analysis Report

Customer
B & D Dairy
P. O. Box 399
Hilmar, CA 95324

Grower

Consultant:
F & R Ag Services
2857 Geer Rd. Ste A
Turlock, CA 95382

PURCHASE ORDER:
RECEIVED DATE: 12/11/23 12:57 PM
SUBMITTED BY: KJ
ANALYZED DATE: 12/11/23

Irrigation / Ground Water (H7)
SOURCE: Irrigation Water

NOTES: Temperature above qualifying at 19.2 C

Sample ID	Lab ID	Analyte	Method Ref	Result	Units
IW3	T3345031D	Electrical Conductivity (EC)	EPA 120.1 and	0.938	mmhos/cm
		Ammonia Nitrogen (NH3-N)	SM 4500-NH3 D,C	< 0.500	mg/L
		Nitrate Nitrogen (NO3-N)	EPA 353.2	25.3	mg/L
		Total Dissolved Solids (TDS)	SM 2540 C-1997 and	480	mg/L
		Total Nitrogen (TN)	SM 4500-NH3 D,C	30.9	mg/L
		Soluble Salts (SALT-SOL)	Calculation	601	mg/L

Laboratory Quality Control	LCS %	MS %	MSD %	Sample mg/L	Dup mg/L	RPD %
Ammonia Nitrogen (NH3-N)	90.4	98.2 (T3342032A)	100 (T3342032A)			1.81
Electrical Conductivity (EC)	99.1			4.45 (T3345023A)	4.46 (Dup)	0.090
Nitrate Nitrogen (NO3-N)	100	105 (T3347004A)	102 (T3347004A)			3.32
Total Dissolved Solids (TDS)	101			880 (W3346003B)	860 (Dup)	2.30
Total Nitrogen (TN)	99.1			0.000 (T3345031B)	0.000 (null)	

The warranty of Denele Analytical is limited to the accuracy of the analyses of the samples as received. Denele Analytical assumes no responsibility for which the customer uses our test results, nor liability for any other warranties, express or implied. These terms and conditions shall supercede any conflicting terms and conditions submitted on customer purchase orders or other forms submitted for work.

DENELE ANALYTICAL, INC.

865 S. KILROY ROAD
TURLOCK, CA 95380
PH# 209-634-9055 FAX# 209-634-9057

DAIRY COMPLIANCE

Client: B & D
Mailing address:
(not facility address)
Phone#:

Authorized Copy Released To: F&R AG SERVICES
Sampled By: K.Jones
Project ID:

ANALYSIS TO BE COMPLETED:

IRRIGATION/GROUND WATER
- H1 EC*, NO3-N, NH4-N*
- H6 EC, TN, TDS
- H7 Combination of H1 & H6
- H14 EC, NO3-N, NH4-N, Ca, Mg, Na, Bicarb Carb, SO4, Cl, TDS

PROCESS WASTE WATER
- H3 EC*, NH4-N, TKN, TP, K, TDS
- H4 EC*, NO3-N, NH4-N, TKN, TP, K, TDS
- H5 Ca, Mg, Na, Bicarb, Carb, SO4, Cl
- H8 Combination of H3 &H5
- H9 Combination of H4 &H5

TILE DRAIN
- H2 EC*, NO3-N, TP, NH4-N*, TDS

** Required Field Measurement*

___ (Check here if performed)

DISCHARGE WATER
- E1 EC*, Temp*, pH*, NO3-N, NH3-N, NH4-N, TKN, TP, K, TDS, Dissolved Oxygen*, BOD 5, TSS, Total & Fecal Coliforms
- E2 EC,* Temp*, pH*, NO3-N, NH3-N*, NH4-N*, Turbidity, TP, Dissolved Oxygen*, Total & Fecal Coliforms
- E3 EC*, Temp*, pH*, NO3-N, NH3-N*, NH4-N*, TP, Total & Fecal Coliforms
- E4 EC*, Temp*, pH*, NO3-N, NH3-N*, NH4-N*, Turbidity, TP, Total & Fecal Coliform

MANURE
- M1 % Moisture
- M3 TN TP, K, % Moisture
- M4 Ca, Mg, Na, Bicarb, Carb, SO4, Cl, Ash
- M7 Combination of M3 & M4

PLANT TISSUE
- F18 % Moisture, Ash, TN, P, K, DM and as received
- F18+ % Moisture, Ash, TN, P, K, DM and as received (Package also includes NIR DCAD)
- F19+ % Moisture, TN (Package includes complete plant tissue analysis)

SOIL
- K3 Soluble Phosphorus
- K4 1ft NO3, Organic Matter
- K5 Pre-Plant (2ft NO3), Fall (1-2ft NO3), Fall (2-3ft NO3)
- K6 0-1ft EC, NO3, Soluble P, K, Organic Matter
- K7 Combination of K3 & K4
- K8 Combination of K3 & K5

	Date Collected	Time Collected	Sample ID	Description	Temp	Well Purge	H1	H3	M3	F18	OTHER
1	12/11	11:00	Wastewater	WWSQ4	19.6			X			
2		6:00	Irrigation	IW1	19.4						H7
3		7:00	& wells	IW2	19.6						H7
4		8:00		IW3	19.2						H7
5											
6											
7											
8											
9											
10											

CHAIN OF CUSTODY RECORDING

	Signature	Company	Received Date & Time	Relinquished Date & Time	Logged in By:	LABORATORY NUMBER
		F&R AG SERVICES				
2nd		DENELE ANALYTICAL, INC.	12/11/23 1257			T3345031

(LABORATORY USE ONLY)

ATTACHMENT D

Manure/Process Wastewater Tracking Manifest
For
Existing Milk Cow Dairies

Instructions:

1) Complete one manifest for each hauling event, for each destination. A hauling event may last for several days, as long as the manure is being hauled to the same destination.
2) If there are multiple destinations, **complete a separate form for each destination.**
3) The operator must obtain the signature of the hauler upon completion of each manure-hauling event.
4) The operator shall submit copies of manure/process wastewater tracking manifest(s) with the Annual Monitoring Report for Existing Milk Cow Dairies.

Operator Information:

Name of Operator: Eric Huff

Name of Dairy Facility: B & D Dairy

Facility Address: 9579 Hultberg Road | Hilmar | 95324

Number and Street | City | Zip Code

Contact Person Name and Phone Number: Eric Huff | 209-652-3534

Name | Phone Number

Manure/Process Wastewater Hauler Information:

Name of Hauling Company/Person: Silva + Sons

Address of Hauling Company /Person:

23616 Williams Ave | Hilmar | 95324

Number and Street | City | Zip Code

Contact Person: Manuel Silva | (209) 632-8202

Name | Phone Number

Destination Information:

Composting Facility / Broker / Farmer / Other (identify) (please circle one)

Contact information of Composting Facility, Broker, Farmer, or Other (as identified above):

Silva & Sons Spreading, Inc | 23616 Williams Ave | Hilmar | 95324 | 209-632-8202

Name | Number and Street | City | Zip Code | Phone Number

Manure/Process Wastewater Destination Address or Assessor's Parcel Number:

Same As Above

Number and Street | City | Zip Code | Assessor's Parcel Number

Dates Hauled: 5/15/23

Amount Hauled:

Enter the amount of manure hauled in tons or cubic yards (indicate the units used), the manure solids content (if amount reported in tons) or manure density (if amount reported in cubic yards), and the method used to calculate the amount:

Manure: 800 (Tons) or Cubic Yards (indicate which units used)

Manure Solids Content (if amount reported in tons): @ 49.2%.

Manure Density (if amount reported in cubic yards):

Method used to determine amount of manure: @ 12 tons per load

Enter the amount of process wastewater hauled in gallons and the method used to determine the amount.

Process Wastewater: _____ Gallons

Method used to determine volume of process wastewater: _____

Written Agreement:
Does the Operator have a written agreement (in compliance with Land Application Specification C.2 of Waste Discharge Requirements General Order No. R5-2007-0035) with any party that receives process wastewater from the Operator for its own use? (please check one)

____ Yes _____ No

If the answer is no, the Operator agrees to have such a written agreement with any such party for any process wastewater transferred after **31 December 2007** to such party.
_____ (Operator shall provide initials here to acknowledge this requirement).

Certification:
I declare under the penalty of law that I personally examined and am familiar with the information submitted in this document, and that based on my inquiry of those individuals immediately responsible for obtaining the information, I believe that the information is true, accurate, and complete. I am aware that there are significant penalties for submitting false information, including the possibility of a fine and imprisonment for knowing violations.

Operator's Signature: Eric Huff (Eric Huff (May 28, 2024 17:15 PDT)) Date: May 28, 2024

Hauler's Signature: _____ Date: _____

ATTACHMENT D

Manure/Process Wastewater Tracking Manifest
For
Existing Milk Cow Dairies

Instructions:

1) Complete one manifest for each hauling event, for each destination. A hauling event may last for several days, as long as the manure is being hauled to the same destination.
2) If there are multiple destinations, **complete a separate form for each destination**.
3) The operator must obtain the signature of the hauler upon completion of each manure-hauling event.
4) The operator shall submit copies of manure/process wastewater tracking manifest(s) with the Annual Monitoring Report for Existing Milk Cow Dairies.

Operator Information:

Name of Operator : Eric Huff

Name of Dairy Facility: B & D Dairy

Facility Address: 9579 Hultberg Road | Hilmar | 95324

Number and Street | City | Zip Code

Contact Person Name and Phone Number: Eric Huff | 209-652-3534

Name | Phone Number

Manure/Process Wastewater Hauler Information:

Name of Hauling Company/Person: Silva & Sons

Address of Hauling Company /Person: 23616 Williams Ave Hilmar

Number and Street | City | Zip Code 95324

Contact Person: Manuel Silva | (209) 632-8202

Name | Phone Number

Destination Information:

Composting Facility / Broker / Farmer / Other (identify) (please circle one)

Contact information of Composting Facility, Broker, Farmer, or Other (as identified above):

Silva & Sons Spreading, Inc | 23616 Williams Ave | Hilmar | 95324 | 209-632-8202

Name | Number and Street | City | Zip Code | Phone Number

Manure/Process Wastewater Destination Address or Assessor's Parcel Number:

Same As Above

Number and Street | City | Zip Code | Assessor's Parcel Number

Dates Hauled: 9/22/23

Amount Hauled:

Enter the amount of manure hauled in tons or cubic yards (indicate the units used), the manure solids content (if amount reported in tons) or manure density (if amount reported in cubic yards), and the method used to calculate the amount:

Manure: 1000 Tons or Cubic Yards (indicate which units used)

Manure Solids Content (if amount reported in tons): @ 33.91

Manure Density (if amount reported in cubic yards):

Method used to determine amount of manure: @ 12 tons per load

Enter the amount of process wastewater hauled in gallons and the method used to determine the amount.

Process Wastewater: _____ Gallons

Method used to determine volume of process wastewater: _____

Written Agreement:
Does the Operator have a written agreement (in compliance with Land Application Specification C.2 of Waste Discharge Requirements General Order No. R5-2007-0035) with any party that receives process wastewater from the Operator for its own use? (please check one)

____ Yes _____ No

If the answer is no, the Operator agrees to have such a written agreement with any such party for any process wastewater transferred after **31 December 2007** to such party.
_____(Operator shall provide initials here to acknowledge this requirement).

Certification:
I declare under the penalty of law that I personally examined and am familiar with the information submitted in this document, and that based on my inquiry of those individuals immediately responsible for obtaining the information, I believe that the information is true, accurate, and complete. I am aware that there are significant penalties for submitting false information, including the possibility of a fine and imprisonment for knowing violations.

Operator's Signature: Eric Huff (Eric Huff (May 28, 2024 17:15 PDT)) Date: May 28, 2024

Hauler's Signature: _____ Date: _____

2023 Annual Report- B&D Dairy

Final Audit Report 2024-05-29

Created:	2024-05-29
By:	Kristen Jones (kjones@fragservices.com)
Status:	Signed
Transaction ID:	CBJCHBCAABAAiuh2Xwi8mJPUo-T__kCZdRUAByTck-yQ

"2023 Annual Report- B&D Dairy" History

Document created by Kristen Jones (kjones@fragservices.com)
2024-05-29 - 0:03:26 AM GMT

Document emailed to huff_ranch@hotmail.com for signature
2024-05-29 - 0:04:34 AM GMT

Email viewed by huff_ranch@hotmail.com
2024-05-29 - 0:14:47 AM GMT

Signer huff_ranch@hotmail.com entered name at signing as Eric Huff
2024-05-29 - 0:15:39 AM GMT

Document e-signed by Eric Huff (huff_ranch@hotmail.com)
Signature Date: 2024-05-29 - 0:15:41 AM GMT - Time Source: server

Agreement completed.
2024-05-29 - 0:15:41 AM GMT