Annual Report - General Order No. R5-2007-0035
Reporting period 01/01/2023 to 12/31/2023.

DAIRY FACILITY INFORMATION

A. NAME OF DAIRY OR BUSINESS OPERATING THE DAIRY: E.R. Prins Dairy #2

Physical address of dairy:

Number and Street	City	County	Zip Code
9863 S Van Allen RD	Stockton	San Joaquin	95215

Street and nearest cross street (if no address):

Date facility was originally placed in operation: 01/01/1985

Regional Water Quality Control Board Basin Plan designation: San Joaquin River Basin

County Assessor Parcel Number(s) for dairy facility:

X205-X160-XX06-XXXX

B. OPERATORS

Prins, Ed

Operator name: Prins, Ed

Telephone no.: (209) 838-1627 (Landline) (Cellular)

Mailing Address Number and Street	City	State	Zip Code
10385 S Van Allen RD	Stockton	CA	95215

Prins, Ron

Operator name: Prins, Ron

Telephone no.: (209) 838-1627 (Landline) (209) 483-3225 (Cellular)

Mailing Address Number and Street	City	State	Zip Code
10385 S Van Allen RD	Stockton	CA	95215

This operator is responsible for paying permit fees.

C. OWNERS

Prins, Ed

Legal owner name: Prins, Ed

Telephone no.: (209) 838-1627 (Landline) (Cellular)

Mailing Address Number and Street	City	State	Zip Code
10385 S Van Allen RD	Stockton	CA	95215

Prins, Ron

Legal owner name:	Prins, Ron	Telephone no.:	(209) 838-1627	(209) 483-3225
			Landline	Cellular
10385 S Van Allen RD	Stockton		CA	95215
Mailing Address Number and Street	City		State	Zip Code

This owner is responsible for paying permit fees.

Annual Report - General Order No. R5-2007-0035
Reporting period 01/01/2023 to 12/31/2023.

AVAILABLE NUTRIENTS

A. HERD INFORMATION

	Milk Cows	Dry Cows	Bred Heifers (15-24 mo.)	Heifers (7-14 mo. to breeding)	Calves (4-6 mo.)	Calves (0-3 mo.)
Number open confinement	0	0	0	50	75	20
Number under roof	300	70	0	0	0	0
Maximum number	320	75	0	50	75	20
Average number	300	70	0	50	75	20
Avg live weight (lbs)	1,400	1,450	0	700		

Predominant milk cow breed: Holstein

Average milk production: 78 *pounds per cow per day*

B. MANURE GENERATED

Total manure excreted by the herd: 9,804.39 *tons per reporting period*

Total nitrogen from manure: 126,671.23 *lbs per reporting period*

After ammonia losses (30% loss applied): 88,669.86 *lbs per reporting period*

Total phosphorus from manure: 20,543.08 *lbs per reporting period*

Total potassium from manure: 59,029.57 *lbs per reporting period*

Total salt from manure: 157,351.50 *lbs per reporting period*

C. PROCESS WASTEWATER GENERATED

Process wastewater generated: 9,633,000 *gallons*

Total nitrogen generated: 31,716.39 *lbs*

Total phosphorus generated: 3,154.13 *lbs*

Total potassium generated: 30,175.71 *lbs*

Total salt generated: 318,743.12 *lbs*

	9,633,000	*gallons applied*
+	0	*gallons exported*
-	0	*gallons imported*
=	9,633,000	*gallons generated*

D. FRESH WATER SOURCES

Source Description	Type
IW #2	Ground water
IW 5 Morris	Ground water
IW Cody's	Ground water
IW Creek	Ground water

E. SUBSURFACE (TILE) DRAINAGE SOURCES

No subsurface (tile) drainage sources entered.

F. NUTRIENT IMPORTS

No dry manure nutrient imports entered.

No process wastewater nutrient imports entered.

Date	Material type / Description	Quantity	Reporting basis	Moisture (%)	N (%)	P (%)	K (%)	Salt (%)
03/01/2023	Solid commercial fertilizer *CAN17*	3.36 *ton*	Dry-weight	0.1	17.000000	0.000000	0.000000	0.000000
05/18/2023	Solid commercial fertilizer *UN32*	4.97 *ton*	Dry-weight	0.1	32.000000	0.000000	0.000000	0.000000
08/02/2023	Solid commercial fertilizer *Triple 15*	5.60 *ton*	Dry-weight	0.1	15.000000	15.000000	15.000000	0.000000

Material type	Total N (lbs)	Total P (lbs)	Total K (lbs)	Total salt (lbs)
Commercial fertilizer / Other	5,997.20	1,678.32	1,678.32	0.00
Dry manure	0.00	0.00	0.00	0.00
Process wastewater	0.00	0.00	0.00	0.00
Total imports for all materials	5,997.20	1,678.32	1,678.32	0.00

G. NUTRIENT EXPORTS

Date	Material type	Quantity	Reporting basis	Moisture (%)	Density (lbs/cu ft)	N (mg/kg)	P (mg/kg)	K (mg/kg)	Salt (mg/kg)	TFS (%)
10/05/2023	Corral solids	820.00 *ton*	Dry-weight	48.6		23,900.00	11,900.00	51,100.00		31.00

No liquid nutrient exports entered.

Material type	Total N (lbs)	Total P (lbs)	Total K (lbs)	Total salt (lbs)
Dry manure	20,146.74	10,031.22	43,075.26	261,317.60
Process wastewater	0.00	0.00	0.00	0.00
Total exports for all materials	20,146.74	10,031.22	43,075.26	261,317.60

APPLICATION AREA

A. LIST OF LAND APPLICATION AREAS

Field name	Controlled acres	Cropable acres	Total harvests	Type of waste applied	Parcel number
Field 12 (Morris)	38	38	2	manure	X205-X170-XX02-XXXX X205-X170-XX03-XXXX
Field 7	51	51	2	process wastewater	X205-X160-XX06-XXXX X205-X160-XX07-XXXX
Field 8A	21	21	2	process wastewater	X205-X160-XX06-XXXX
Field 8B	28	28	1	none	X205-X160-XX06-XXXX
Field 9	24	24	1	manure	X205-X160-XX06-XXXX
Totals for areas that were used for application	134	134	7		
Totals for areas that were not used for application	28	28	1		
Land application area totals	162	162	8		

B. CROPS AND HARVESTS

Field 12 (Morris)

Field name: Field 12 (Morris)

10/30/2022: Oats, silage-soft dough

Crop: Oats, silage-soft dough Acres planted: 38 Plant date: 10/30/2022

Harvest date	Yield	Reporting basis	Density (lbs/cu ft)	Moisture (%)	N (mg/kg)	P (mg/kg)	K (mg/kg)	Salt (mg/kg)	TFS (%)
05/06/2023	737.20 *ton*	As-is		75.6	3,170.00	850.00	11,700.00		11.40

	Yield (tons/acre)	Total N (lbs/acre)	Total P (lbs/acre)	Total K (lbs/acre)	Salt (lbs/acre)
Anticipated harvest content	16.00	160.00	25.60	132.80	0.00
Total actual harvest content	19.40	123.00	32.98	453.96	1,079.26

Field 12 (Morris)

06/02/2023: Corn, silage

Crop: Corn, silage Acres planted: 38 Plant date: 06/02/2023

Harvest date	Yield	Reporting basis	Density (lbs/cu ft)	Moisture (%)	N (mg/kg)	P (mg/kg)	K (mg/kg)	Salt (mg/kg)	TFS (%)
09/29/2023	1,121.00 *ton*	As-is		67.6	3,240.00	1,350.00	71,100.00		3.10

	Yield (tons/acre)	Total N (lbs/acre)	Total P (lbs/acre)	Total K (lbs/acre)	Salt (lbs/acre)
Anticipated harvest content	30.00	240.00	45.00	198.00	0.00
Total actual harvest content	29.50	191.16	79.65	4,194.90	592.60

Field 7

Field name: Field 7

10/29/2022: Oats, silage-soft dough

Crop: Oats, silage-soft dough Acres planted: 51 Plant date: 10/29/2022

Harvest date	Yield	Reporting basis	Density (lbs/cu ft)	Moisture (%)	N (mg/kg)	P (mg/kg)	K (mg/kg)	Salt (mg/kg)	TFS (%)
05/06/2023	1,008.60 *ton*	As-is		76.0	3,290.00	840.00	9,260.00		10.10

	Yield (tons/acre)	Total N (lbs/acre)	Total P (lbs/acre)	Total K (lbs/acre)	Salt (lbs/acre)
Anticipated harvest content	16.00	160.00	25.60	132.80	0.00
Total actual harvest content	19.78	130.13	33.22	366.26	958.76

06/03/2023: Corn, silage

Crop: Corn, silage Acres planted: 51 Plant date: 06/03/2023

Harvest date	Yield	Reporting basis	Density (lbs/cu ft)	Moisture (%)	N (mg/kg)	P (mg/kg)	K (mg/kg)	Salt (mg/kg)	TFS (%)
09/29/2023	1,346.40 *ton*	As-is		61.6	4,720.00	1,470.00	7,580.00		3.40

	Yield (tons/acre)	Total N (lbs/acre)	Total P (lbs/acre)	Total K (lbs/acre)	Salt (lbs/acre)
Anticipated harvest content	30.00	240.00	45.00	198.00	0.00
Total actual harvest content	26.40	249.22	77.62	400.22	689.36

Field 8A

Field name: Field 8A

10/29/2022: Oats, silage-soft dough

Crop: Oats, silage-soft dough Acres planted: 21 Plant date: 10/29/2022

Harvest date	Yield	Reporting basis	Density (lbs/cu ft)	Moisture (%)	N (mg/kg)	P (mg/kg)	K (mg/kg)	Salt (mg/kg)	TFS (%)
05/06/2023	406.40 *ton*	As-is		74.0	3,510.00	1,070.00	11,700.00		10.40

	Yield (tons/acre)	Total N (lbs/acre)	Total P (lbs/acre)	Total K (lbs/acre)	Salt (lbs/acre)
Anticipated harvest content	16.00	160.00	25.60	132.80	0.00
Total actual harvest content	19.35	135.85	41.41	452.85	1,046.58

06/10/2023: Corn, silage

Crop: Corn, silage Acres planted: 21 Plant date: 06/10/2023

Harvest date	Yield	Reporting basis	Density (lbs/cu ft)	Moisture (%)	N (mg/kg)	P (mg/kg)	K (mg/kg)	Salt (mg/kg)	TFS (%)
10/04/2023	606.90 *ton*	As-is		70.8	4,030.00	850.00	5,240.00		8.40

	Yield (tons/acre)	Total N (lbs/acre)	Total P (lbs/acre)	Total K (lbs/acre)	Salt (lbs/acre)
Anticipated harvest content	30.00	240.00	45.00	198.00	0.00
Total actual harvest content	28.90	232.93	49.13	302.87	1,417.72

Field 8B

Field name: Field 8B

01/10/2021: Almond, in shell

Crop: Almond, in shell Acres planted: 28 Plant date: 01/10/2021

Harvest date	Yield	Reporting basis	Density (lbs/cu ft)	Moisture (%)	N (mg/kg)	P (mg/kg)	K (mg/kg)	Salt (mg/kg)	TFS (%)
12/31/2023	0.10 *ton*	As-is		0.1	0.00	0.00	0.00		0.00

	Yield (tons/acre)	Total N (lbs/acre)	Total P (lbs/acre)	Total K (lbs/acre)	Salt (lbs/acre)
Anticipated harvest content	1.00	43.00	7.30	46.50	0.00
Total actual harvest content	0.00	0.00	0.00	0.00	0.00

Field 9

Field name: Field 9

02/25/2019: Almond, in shell

Crop: Almond, in shell Acres planted: 24 Plant date: 02/25/2019

Harvest date	Yield	Reporting basis	Density (lbs/cu ft)	Moisture (%)	N (mg/kg)	P (mg/kg)	K (mg/kg)	Salt (mg/kg)	TFS (%)
09/30/2023	149.28 *ton*	As-is		8.6	12,400.00	1,820.00	34,600.00		9.88

	Yield (tons/acre)	Total N (lbs/acre)	Total P (lbs/acre)	Total K (lbs/acre)	Salt (lbs/acre)
Anticipated harvest content	6.00	258.00	43.80	279.00	0.00
Total actual harvest content	6.22	154.26	22.64	430.42	1,123.37

NUTRIENT BUDGET

A. LAND APPLICATIONS

Field 12 (Morris) - 10/30/2022: Oats, silage-soft dough

Field name: Field 12 (Morris)

Crop: Oats, silage-soft dough — Plant date: 10/30/2022

Application date	Application method	Precipitation 24 hours prior	Precipitation during application	Precipitation 24 hours following
10/02/2022	Broadcast/incorporate	No precipitation	No precipitation	No precipitation

Source description	Material type	N (lbs/acre)	P (lbs/acre)	K (lbs/acre)	Salt (lbs/acre)	Amount
Corral Manure	Corral solids	179.55	74.81	335.67	1,886.53	300.00 *ton*
Application event totals		179.55	74.81	335.67	1,886.53	

Field 12 (Morris) - 06/02/2023: Corn, silage

Field name: Field 12 (Morris)

Crop: Corn, silage — Plant date: 06/02/2023

Application date	Application method	Precipitation 24 hours prior	Precipitation during application	Precipitation 24 hours following
05/08/2023	Broadcast/incorporate	No precipitation	No precipitation	No precipitation

Source description	Material type	N (lbs/acre)	P (lbs/acre)	K (lbs/acre)	Salt (lbs/acre)	Amount
Corral Manure	Corral solids	224.28	77.18	408.60	3,495.80	380.00 *ton*
Application event totals		224.28	77.18	408.60	3,495.80	

Application date	Application method	Precipitation 24 hours prior	Precipitation during application	Precipitation 24 hours following
05/19/2023	Surface (irrigation)	No precipitation	No precipitation	No precipitation

Source description	Material type	N (lbs/acre)	P (lbs/acre)	K (lbs/acre)	Salt (lbs/acre)	Amount
IW Creek	Ground water	0.00	0.00	0.00	85.80	5,280,000.00 *gal*
Application event totals		0.00	0.00	0.00	85.80	

Application date	Application method	Precipitation 24 hours prior	Precipitation during application	Precipitation 24 hours following
06/28/2023	Sidedress	No precipitation	No precipitation	No precipitation

Source description	Material type	N (lbs/acre)	P (lbs/acre)	K (lbs/acre)	Salt (lbs/acre)	Amount
UN32	Solid commercial fertilizer	35.20	0.00	0.00	0.00	
Application event totals		35.20	0.00	0.00	0.00	

Field 12 (Morris) - 06/02/2023: Corn, silage

Application date	Application method	Precipitation 24 hours prior	Precipitation during application	Precipitation 24 hours following
06/29/2023	Surface (irrigation)	No precipitation	No precipitation	No precipitation

Source description	Material type	N (lbs/acre)	P (lbs/acre)	K (lbs/acre)	Salt (lbs/acre)	Amount
IW Creek	Ground water	0.00	0.00	0.00	81.51	5,016,000.00 *gal*
Application event totals		0.00	0.00	0.00	81.51	

Application date	Application method	Precipitation 24 hours prior	Precipitation during application	Precipitation 24 hours following
07/11/2023	Surface (irrigation)	No precipitation	No precipitation	No precipitation

Source description	Material type	N (lbs/acre)	P (lbs/acre)	K (lbs/acre)	Salt (lbs/acre)	Amount
IW Creek	Ground water	0.00	0.00	0.00	80.44	4,950,000.00 *gal*
Application event totals		0.00	0.00	0.00	80.44	

Application date	Application method	Precipitation 24 hours prior	Precipitation during application	Precipitation 24 hours following
07/23/2023	Surface (irrigation)	No precipitation	No precipitation	No precipitation

Source description	Material type	N (lbs/acre)	P (lbs/acre)	K (lbs/acre)	Salt (lbs/acre)	Amount
IW Creek	Ground water	0.00	0.00	0.00	78.30	4,818,000.00 *gal*
Application event totals		0.00	0.00	0.00	78.30	

Application date	Application method	Precipitation 24 hours prior	Precipitation during application	Precipitation 24 hours following
08/05/2023	Surface (irrigation)	No precipitation	No precipitation	No precipitation

Source description	Material type	N (lbs/acre)	P (lbs/acre)	K (lbs/acre)	Salt (lbs/acre)	Amount
IW Creek	Ground water	0.00	0.00	0.00	78.30	4,818,000.00 *gal*
Application event totals		0.00	0.00	0.00	78.30	

Application date	Application method	Precipitation 24 hours prior	Precipitation during application	Precipitation 24 hours following
08/19/2023	Surface (irrigation)	No precipitation	No precipitation	No precipitation

Source description	Material type	N (lbs/acre)	P (lbs/acre)	K (lbs/acre)	Salt (lbs/acre)	Amount
IW Creek	Ground water	0.00	0.00	0.00	77.22	4,752,000.00 *gal*
Application event totals		0.00	0.00	0.00	77.22	

Application date	Application method	Precipitation 24 hours prior	Precipitation during application	Precipitation 24 hours following
09/04/2023	Surface (irrigation)	No precipitation	No precipitation	No precipitation

Source description	Material type	N (lbs/acre)	P (lbs/acre)	K (lbs/acre)	Salt (lbs/acre)	Amount
IW Creek	Ground water	0.00	0.00	0.00	75.08	4,620,000.00 *gal*
Application event totals		0.00	0.00	0.00	75.08	

Field 7 - 10/29/2022: Oats, silage-soft dough

Field 7 - 10/29/2022: Oats, silage-soft dough

Field name: Field 7

Crop: Oats, silage-soft dough

Plant date: 10/29/2022

Application date	Application method	Precipitation 24 hours prior	Precipitation during application	Precipitation 24 hours following
02/14/2023	Surface (irrigation)	No precipitation	No precipitation	No precipitation

Source description	Material type	N (lbs/acre)	P (lbs/acre)	K (lbs/acre)	Salt (lbs/acre)	Amount
WWS	Process wastewater	82.45	10.43	73.49	1,093.10	1,140,000.00 *gal*
Application event totals		82.45	10.43	73.49	1,093.10	

Application date	Application method	Precipitation 24 hours prior	Precipitation during application	Precipitation 24 hours following
03/16/2023	Surface (irrigation)	No precipitation	No precipitation	No precipitation

Source description	Material type	N (lbs/acre)	P (lbs/acre)	K (lbs/acre)	Salt (lbs/acre)	Amount
WWS	Process wastewater	90.69	11.47	80.84	1,202.41	1,254,000.00 *gal*
Application event totals		90.69	11.47	80.84	1,202.41	

Field 7 - 06/03/2023: Corn, silage

Field name: Field 7

Crop: Corn, silage

Plant date: 06/03/2023

Application date	Application method	Precipitation 24 hours prior	Precipitation during application	Precipitation 24 hours following
05/20/2023	Surface (irrigation)	No precipitation	No precipitation	No precipitation

Source description	Material type	N (lbs/acre)	P (lbs/acre)	K (lbs/acre)	Salt (lbs/acre)	Amount
WWS	Process wastewater	262.57	13.79	200.25	2,083.41	2,907,000.00 *gal*
IW #2	Ground water	3.19	0.00	0.00	154.59	3,825,000.00 *gal*
Application event totals		265.75	13.79	200.25	2,238.00	

Application date	Application method	Precipitation 24 hours prior	Precipitation during application	Precipitation 24 hours following
06/30/2023	Surface (irrigation)	No precipitation	No precipitation	No precipitation

Source description	Material type	N (lbs/acre)	P (lbs/acre)	K (lbs/acre)	Salt (lbs/acre)	Amount
IW #2	Ground water	5.62	0.00	0.00	272.81	6,750,000.00 *gal*
Application event totals		5.62	0.00	0.00	272.81	

Field 7 - 06/03/2023: Corn, silage

Application date	Application method	Precipitation 24 hours prior	Precipitation during application	Precipitation 24 hours following
07/12/2023	Surface (irrigation)	No precipitation	No precipitation	No precipitation

Source description	Material type	N (lbs/acre)	P (lbs/acre)	K (lbs/acre)	Salt (lbs/acre)	Amount
IW #2	Ground water	5.50	0.00	0.00	266.75	6,600,000.00 *gal*
Application event totals		5.50	0.00	0.00	266.75	

Application date	Application method	Precipitation 24 hours prior	Precipitation during application	Precipitation 24 hours following
07/24/2023	Surface (irrigation)	No precipitation	No precipitation	No precipitation

Source description	Material type	N (lbs/acre)	P (lbs/acre)	K (lbs/acre)	Salt (lbs/acre)	Amount
IW #2	Ground water	5.37	0.00	0.00	260.68	6,450,000.00 *gal*
Application event totals		5.37	0.00	0.00	260.68	

Application date	Application method	Precipitation 24 hours prior	Precipitation during application	Precipitation 24 hours following
08/06/2023	Surface (irrigation)	No precipitation	No precipitation	No precipitation

Source description	Material type	N (lbs/acre)	P (lbs/acre)	K (lbs/acre)	Salt (lbs/acre)	Amount
IW #2	Ground water	5.31	0.00	0.00	257.65	6,375,000.00 *gal*
Application event totals		5.31	0.00	0.00	257.65	

Application date	Application method	Precipitation 24 hours prior	Precipitation during application	Precipitation 24 hours following
08/20/2023	Surface (irrigation)	No precipitation	No precipitation	No precipitation

Source description	Material type	N (lbs/acre)	P (lbs/acre)	K (lbs/acre)	Salt (lbs/acre)	Amount
IW #2	Ground water	5.31	0.00	0.00	257.65	6,375,000.00 *gal*
Application event totals		5.31	0.00	0.00	257.65	

Application date	Application method	Precipitation 24 hours prior	Precipitation during application	Precipitation 24 hours following
09/05/2023	Surface (irrigation)	No precipitation	No precipitation	No precipitation

Source description	Material type	N (lbs/acre)	P (lbs/acre)	K (lbs/acre)	Salt (lbs/acre)	Amount
IW #2	Ground water	5.18	0.00	0.00	251.59	6,225,000.00 *gal*
Application event totals		5.18	0.00	0.00	251.59	

Field 8A - 10/29/2022: Oats, silage-soft dough

Field name: Field 8A

Crop: Oats, silage-soft dough

Plant date: 10/29/2022

Application date	Application method	Precipitation 24 hours prior	Precipitation during application	Precipitation 24 hours following

Field 8A - 10/29/2022: Oats, silage-soft dough

Application date	Application method	Precipitation 24 hours prior	Precipitation during application	Precipitation 24 hours following
02/15/2023	Surface (irrigation)	No precipitation	No precipitation	No precipitation

Source description	Material type	N (lbs/acre)	P (lbs/acre)	K (lbs/acre)	Salt (lbs/acre)	Amount
WWS	Process wastewater	80.09	10.13	71.40	1,061.87	456,000.00 *gal*
Application event totals		80.09	10.13	71.40	1,061.87	

Application date	Application method	Precipitation 24 hours prior	Precipitation during application	Precipitation 24 hours following
03/17/2023	Surface (irrigation)	No precipitation	No precipitation	No precipitation

Source description	Material type	N (lbs/acre)	P (lbs/acre)	K (lbs/acre)	Salt (lbs/acre)	Amount
WWS	Process wastewater	100.12	12.66	89.24	1,327.33	570,000.00 *gal*
Application event totals		100.12	12.66	89.24	1,327.33	

Field 8A - 06/10/2023: Corn, silage

Field name: Field 8A

Crop: Corn, silage

Plant date: 06/10/2023

Application date	Application method	Precipitation 24 hours prior	Precipitation during application	Precipitation 24 hours following
05/27/2023	Surface (irrigation)	No precipitation	No precipitation	No precipitation

Source description	Material type	N (lbs/acre)	P (lbs/acre)	K (lbs/acre)	Salt (lbs/acre)	Amount
IW #2	Ground water	5.92	0.00	0.00	287.10	2,925,000.00 *gal*
Application event totals		5.92	0.00	0.00	287.10	

Application date	Application method	Precipitation 24 hours prior	Precipitation during application	Precipitation 24 hours following
07/07/2023	Surface (irrigation)	No precipitation	No precipitation	No precipitation

Source description	Material type	N (lbs/acre)	P (lbs/acre)	K (lbs/acre)	Salt (lbs/acre)	Amount
IW #2	Ground water	5.61	0.00	0.00	272.37	2,775,000.00 *gal*
Application event totals		5.61	0.00	0.00	272.37	

Application date	Application method	Precipitation 24 hours prior	Precipitation during application	Precipitation 24 hours following
07/19/2023	Surface (irrigation)	No precipitation	No precipitation	No precipitation

Source description	Material type	N (lbs/acre)	P (lbs/acre)	K (lbs/acre)	Salt (lbs/acre)	Amount
WWS	Process wastewater	93.77	14.04	143.15	742.94	1,140,000.00 *gal*
IW #2	Ground water	3.03	0.00	0.00	147.23	1,500,000.00 *gal*
Application event totals		96.81	14.04	143.15	890.17	

Field 8A - 06/10/2023: Corn, silage

Application date	Application method	Precipitation 24 hours prior	Precipitation during application	Precipitation 24 hours following
07/31/2023	Surface (irrigation)	No precipitation	No precipitation	No precipitation

Source description	Material type	N (lbs/acre)	P (lbs/acre)	K (lbs/acre)	Salt (lbs/acre)	Amount
WWS	Process wastewater	89.09	13.34	135.99	705.80	1,083,000.00 *gal*
IW #2	Ground water	2.88	0.00	0.00	139.87	1,425,000.00 *gal*
Application event totals		91.97	13.34	135.99	845.66	

Application date	Application method	Precipitation 24 hours prior	Precipitation during application	Precipitation 24 hours following
08/13/2023	Surface (irrigation)	No precipitation	No precipitation	No precipitation

Source description	Material type	N (lbs/acre)	P (lbs/acre)	K (lbs/acre)	Salt (lbs/acre)	Amount
IW #2	Ground water	5.46	0.00	0.00	265.01	2,700,000.00 *gal*
Application event totals		5.46	0.00	0.00	265.01	

Application date	Application method	Precipitation 24 hours prior	Precipitation during application	Precipitation 24 hours following
08/27/2023	Surface (irrigation)	No precipitation	No precipitation	No precipitation

Source description	Material type	N (lbs/acre)	P (lbs/acre)	K (lbs/acre)	Salt (lbs/acre)	Amount
WWS	Process wastewater	89.09	13.34	135.99	705.80	1,083,000.00 *gal*
IW #2	Ground water	2.88	0.00	0.00	139.87	1,425,000.00 *gal*
Application event totals		91.97	13.34	135.99	845.66	

Application date	Application method	Precipitation 24 hours prior	Precipitation during application	Precipitation 24 hours following
09/12/2023	Surface (irrigation)	No precipitation	No precipitation	No precipitation

Source description	Material type	N (lbs/acre)	P (lbs/acre)	K (lbs/acre)	Salt (lbs/acre)	Amount
IW #2	Ground water	5.46	0.00	0.00	265.01	2,700,000.00 *gal*
Application event totals		5.46	0.00	0.00	265.01	

Field 8B - 01/10/2021: Almond, in shell

Field name: Field 8B

Crop: Almond, in shell

Plant date: 01/10/2021

Application date	Application method	Precipitation 24 hours prior	Precipitation during application	Precipitation 24 hours following

Field 8B - 01/10/2021: Almond, in shell

Application date	Application method	Precipitation 24 hours prior	Precipitation during application	Precipitation 24 hours following
04/18/2023	Sidedress	No precipitation	No precipitation	No precipitation

Source description	Material type	N (lbs/acre)	P (lbs/acre)	K (lbs/acre)	Salt (lbs/acre)	Amount
Triple 15	Solid commercial fertilizer	15.00	15.00	15.00	0.00	
Application event totals		15.00	15.00	15.00	0.00	

04/20/2023	Surface (irrigation)	No precipitation	No precipitation	No precipitation

Source description	Material type	N (lbs/acre)	P (lbs/acre)	K (lbs/acre)	Salt (lbs/acre)	Amount
IW Creek	Ground water	0.00	0.00	0.00	59.13	2,681,000.00 *gal*
Application event totals		0.00	0.00	0.00	59.13	

05/05/2023	Surface (irrigation)	No precipitation	No precipitation	No precipitation

Source description	Material type	N (lbs/acre)	P (lbs/acre)	K (lbs/acre)	Salt (lbs/acre)	Amount
IW Creek	Ground water	0.00	0.00	0.00	59.13	2,681,000.00 *gal*
Application event totals		0.00	0.00	0.00	59.13	

05/19/2023	Sidedress	No precipitation	No precipitation	No precipitation

Source description	Material type	N (lbs/acre)	P (lbs/acre)	K (lbs/acre)	Salt (lbs/acre)	Amount
Triple 15	Solid commercial fertilizer	15.00	15.00	15.00	0.00	
Application event totals		15.00	15.00	15.00	0.00	

05/20/2023	Surface (irrigation)	No precipitation	No precipitation	No precipitation

Source description	Material type	N (lbs/acre)	P (lbs/acre)	K (lbs/acre)	Salt (lbs/acre)	Amount
IW Creek	Ground water	0.00	0.00	0.00	59.13	2,681,000.00 *gal*
Application event totals		0.00	0.00	0.00	59.13	

06/04/2023	Surface (irrigation)	No precipitation	No precipitation	No precipitation

Source description	Material type	N (lbs/acre)	P (lbs/acre)	K (lbs/acre)	Salt (lbs/acre)	Amount
IW Creek	Ground water	0.00	0.00	0.00	59.13	2,681,000.00 *gal*
Application event totals		0.00	0.00	0.00	59.13	

Field 8B - 01/10/2021: Almond, in shell

Application date	Application method	Precipitation 24 hours prior	Precipitation during application	Precipitation 24 hours following
06/18/2023	Sidedress	No precipitation	No precipitation	No precipitation

Source description	Material type	N (lbs/acre)	P (lbs/acre)	K (lbs/acre)	Salt (lbs/acre)	Amount
Triple 15	Solid commercial fertilizer	15.00	15.00	15.00	0.00	
Application event totals		15.00	15.00	15.00	0.00	

06/19/2023	Surface (irrigation)	No precipitation	No precipitation	No precipitation

Source description	Material type	N (lbs/acre)	P (lbs/acre)	K (lbs/acre)	Salt (lbs/acre)	Amount
IW Creek	Ground water	0.00	0.00	0.00	60.52	2,744,000.00 *gal*
Application event totals		0.00	0.00	0.00	60.52	

07/04/2023	Surface (irrigation)	No precipitation	No precipitation	No precipitation

Source description	Material type	N (lbs/acre)	P (lbs/acre)	K (lbs/acre)	Salt (lbs/acre)	Amount
IW Creek	Ground water	0.00	0.00	0.00	60.52	2,744,000.00 *gal*
Application event totals		0.00	0.00	0.00	60.52	

07/19/2023	Surface (irrigation)	No precipitation	No precipitation	No precipitation

Source description	Material type	N (lbs/acre)	P (lbs/acre)	K (lbs/acre)	Salt (lbs/acre)	Amount
IW Creek	Ground water	0.00	0.00	0.00	60.52	2,744,000.00 *gal*
Application event totals		0.00	0.00	0.00	60.52	

08/02/2023	Sidedress	No precipitation	No precipitation	No precipitation

Source description	Material type	N (lbs/acre)	P (lbs/acre)	K (lbs/acre)	Salt (lbs/acre)	Amount
Triple 15	Solid commercial fertilizer	15.00	15.00	15.00	0.00	
Application event totals		15.00	15.00	15.00	0.00	

08/03/2023	Surface (irrigation)	No precipitation	No precipitation	No precipitation

Source description	Material type	N (lbs/acre)	P (lbs/acre)	K (lbs/acre)	Salt (lbs/acre)	Amount
IW Creek	Ground water	0.00	0.00	0.00	60.52	2,744,000.00 *gal*
Application event totals		0.00	0.00	0.00	60.52	

Field 8B - 01/10/2021: Almond, in shell

Application date	Application method	Precipitation 24 hours prior	Precipitation during application	Precipitation 24 hours following
08/18/2023	Surface (irrigation)	No precipitation	No precipitation	No precipitation

Source description	Material type	N (lbs/acre)	P (lbs/acre)	K (lbs/acre)	Salt (lbs/acre)	Amount
IW Creek	Ground water	0.00	0.00	0.00	60.52	2,744,000.00 *gal*
Application event totals		0.00	0.00	0.00	60.52	

Application date	Application method	Precipitation 24 hours prior	Precipitation during application	Precipitation 24 hours following
09/02/2023	Surface (irrigation)	No precipitation	No precipitation	No precipitation

Source description	Material type	N (lbs/acre)	P (lbs/acre)	K (lbs/acre)	Salt (lbs/acre)	Amount
IW Creek	Ground water	0.00	0.00	0.00	60.52	2,744,000.00 *gal*
Application event totals		0.00	0.00	0.00	60.52	

Application date	Application method	Precipitation 24 hours prior	Precipitation during application	Precipitation 24 hours following
09/17/2023	Surface (irrigation)	No precipitation	No precipitation	No precipitation

Source description	Material type	N (lbs/acre)	P (lbs/acre)	K (lbs/acre)	Salt (lbs/acre)	Amount
IW Creek	Ground water	0.00	0.00	0.00	60.52	2,744,000.00 *gal*
Application event totals		0.00	0.00	0.00	60.52	

Application date	Application method	Precipitation 24 hours prior	Precipitation during application	Precipitation 24 hours following
10/02/2023	Surface (irrigation)	No precipitation	No precipitation	No precipitation

Source description	Material type	N (lbs/acre)	P (lbs/acre)	K (lbs/acre)	Salt (lbs/acre)	Amount
IW Creek	Ground water	0.00	0.00	0.00	60.52	2,744,000.00 *gal*
Application event totals		0.00	0.00	0.00	60.52	

Field 9 - 02/25/2019: Almond, in shell

Field name: Field 9

Crop: Almond, in shell

Plant date: 02/25/2019

Application date	Application method	Precipitation 24 hours prior	Precipitation during application	Precipitation 24 hours following
11/02/2022	Broadcast/incorporate	No precipitation	No precipitation	No precipitation

Source description	Material type	N (lbs/acre)	P (lbs/acre)	K (lbs/acre)	Salt (lbs/acre)	Amount
Corral Manure	Corral solids	60.65	25.27	113.38	637.23	64.00 *ton*
Application event totals		60.65	25.27	113.38	637.23	

Field 9 - 02/25/2019: Almond, in shell

Application date	Application method	Precipitation 24 hours prior	Precipitation during application	Precipitation 24 hours following
03/01/2023	Sidedress	No precipitation	No precipitation	No precipitation

Source description	Material type	N (lbs/acre)	P (lbs/acre)	K (lbs/acre)	Salt (lbs/acre)	Amount
CAN17	Solid commercial fertilizer	47.60	0.00	0.00	0.00	
Application event totals		47.60	0.00	0.00	0.00	

04/18/2023	Sidedress	No precipitation	No precipitation	No precipitation

Source description	Material type	N (lbs/acre)	P (lbs/acre)	K (lbs/acre)	Salt (lbs/acre)	Amount
UN32	Solid commercial fertilizer	38.40	0.00	0.00	0.00	
Application event totals		38.40	0.00	0.00	0.00	

04/18/2023	Surface (irrigation)	No precipitation	No precipitation	No precipitation

Source description	Material type	N (lbs/acre)	P (lbs/acre)	K (lbs/acre)	Salt (lbs/acre)	Amount
IW Creek	Ground water	0.00	0.00	0.00	61.14	2,376,000.00 *gal*
Application event totals		0.00	0.00	0.00	61.14	

05/03/2023	Surface (irrigation)	No precipitation	No precipitation	No precipitation

Source description	Material type	N (lbs/acre)	P (lbs/acre)	K (lbs/acre)	Salt (lbs/acre)	Amount
IW Creek	Ground water	0.00	0.00	0.00	61.14	2,376,000.00 *gal*
Application event totals		0.00	0.00	0.00	61.14	

05/18/2023	Sidedress	No precipitation	No precipitation	No precipitation

Source description	Material type	N (lbs/acre)	P (lbs/acre)	K (lbs/acre)	Salt (lbs/acre)	Amount
UN32	Solid commercial fertilizer	38.40	0.00	0.00	0.00	
Application event totals		38.40	0.00	0.00	0.00	

05/18/2023	Surface (irrigation)	No precipitation	No precipitation	No precipitation

Source description	Material type	N (lbs/acre)	P (lbs/acre)	K (lbs/acre)	Salt (lbs/acre)	Amount
IW Creek	Ground water	0.00	0.00	0.00	61.14	2,376,000.00 *gal*
Application event totals		0.00	0.00	0.00	61.14	

Field 9 - 02/25/2019: Almond, in shell

Application date	Application method	Precipitation 24 hours prior	Precipitation during application	Precipitation 24 hours following
06/02/2023	Surface (irrigation)	No precipitation	No precipitation	No precipitation

Source description	Material type	N (lbs/acre)	P (lbs/acre)	K (lbs/acre)	Salt (lbs/acre)	Amount
IW Creek	Ground water	0.00	0.00	0.00	61.14	2,376,000.00 *gal*
Application event totals		0.00	0.00	0.00	61.14	

06/17/2023	Surface (irrigation)	No precipitation	No precipitation	No precipitation

Source description	Material type	N (lbs/acre)	P (lbs/acre)	K (lbs/acre)	Salt (lbs/acre)	Amount
IW Creek	Ground water	0.00	0.00	0.00	61.91	2,406,000.00 *gal*
Application event totals		0.00	0.00	0.00	61.91	

07/02/2023	Surface (irrigation)	No precipitation	No precipitation	No precipitation

Source description	Material type	N (lbs/acre)	P (lbs/acre)	K (lbs/acre)	Salt (lbs/acre)	Amount
IW Creek	Ground water	0.00	0.00	0.00	61.91	2,406,000.00 *gal*
Application event totals		0.00	0.00	0.00	61.91	

07/17/2023	Surface (irrigation)	No precipitation	No precipitation	No precipitation

Source description	Material type	N (lbs/acre)	P (lbs/acre)	K (lbs/acre)	Salt (lbs/acre)	Amount
IW Creek	Ground water	0.00	0.00	0.00	61.91	2,406,000.00 *gal*
Application event totals		0.00	0.00	0.00	61.91	

08/01/2023	Surface (irrigation)	No precipitation	No precipitation	No precipitation

Source description	Material type	N (lbs/acre)	P (lbs/acre)	K (lbs/acre)	Salt (lbs/acre)	Amount
IW Creek	Ground water	0.00	0.00	0.00	61.91	2,406,000.00 *gal*
Application event totals		0.00	0.00	0.00	61.91	

08/16/2023	Surface (irrigation)	No precipitation	No precipitation	No precipitation

Source description	Material type	N (lbs/acre)	P (lbs/acre)	K (lbs/acre)	Salt (lbs/acre)	Amount
IW Creek	Ground water	0.00	0.00	0.00	61.91	2,406,000.00 *gal*
Application event totals		0.00	0.00	0.00	61.91	

Field 9 - 02/25/2019: Almond, in shell

Application date	Application method	Precipitation 24 hours prior	Precipitation during application	Precipitation 24 hours following
08/31/2023	Surface (irrigation)	No precipitation	No precipitation	No precipitation

Source description	Material type	N (lbs/acre)	P (lbs/acre)	K (lbs/acre)	Salt (lbs/acre)	Amount
IW Creek	Ground water	0.00	0.00	0.00	61.91	2,406,000.00 *gal*
Application event totals		0.00	0.00	0.00	61.91	

09/15/2023	Surface (irrigation)	No precipitation	No precipitation	No precipitation

Source description	Material type	N (lbs/acre)	P (lbs/acre)	K (lbs/acre)	Salt (lbs/acre)	Amount
IW Creek	Ground water	0.00	0.00	0.00	61.91	2,406,000.00 *gal*
Application event totals		0.00	0.00	0.00	61.91	

B. NUTRIENT BUDGET

Field 12 (Morris) - 10/30/2022: Oats, silage-soft dough

Field name: Field 12 (Morris) Crop: Oats, silage-soft dough Plant date: 10/30/2022

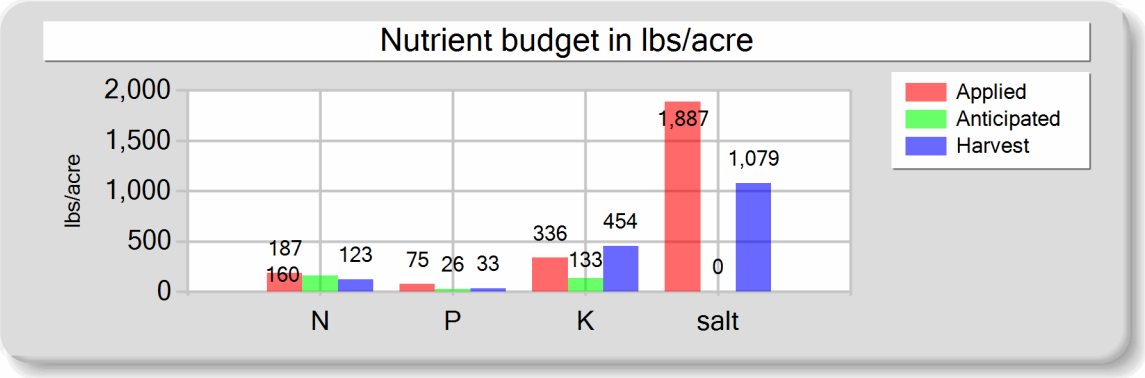

	Total N (lbs/acre)	Total P (lbs/acre)	Total K (lbs/acre)	Total salt (lbs/acre)
Existing soil nutrient content	0.00	0.00	0.00	0.00
Plowdown credit	0.00	0.00	0.00	0.00
Commercial fertilizer / Other	0.00	0.00	0.00	0.00
Dry manure	179.55	74.81	335.67	1,886.53
Process wastewater	0.00	0.00	0.00	0.00
Fresh water	0.00	0.00	0.00	0.00
Atmospheric deposition	7.00	0.00	0.00	0.00
Total nutrients applied	186.55	74.81	335.67	1,886.53
Anticipated crop nutrient removal	160.00	25.60	132.80	0.00
Actual crop nutrient removal	123.00	32.98	453.96	1,079.26
Nutrient balance	63.55	41.83	-118.29	807.27
Applied to removed ratio	1.52	2.27	0.74	1.75

Fresh water applied
0.00 *gallons*
0.00 *acre-inches*
0.00 *inches/acre*

Process wastewater applied
0.00 *gallons*
0.00 *acre-inches*
0.00 *inches/acre*

Total harvests for the crop
1 *harvests*

Field 12 (Morris) - 06/02/2023: Corn, silage

Field name: Field 12 (Morris) Crop: Corn, silage Plant date: 06/02/2023

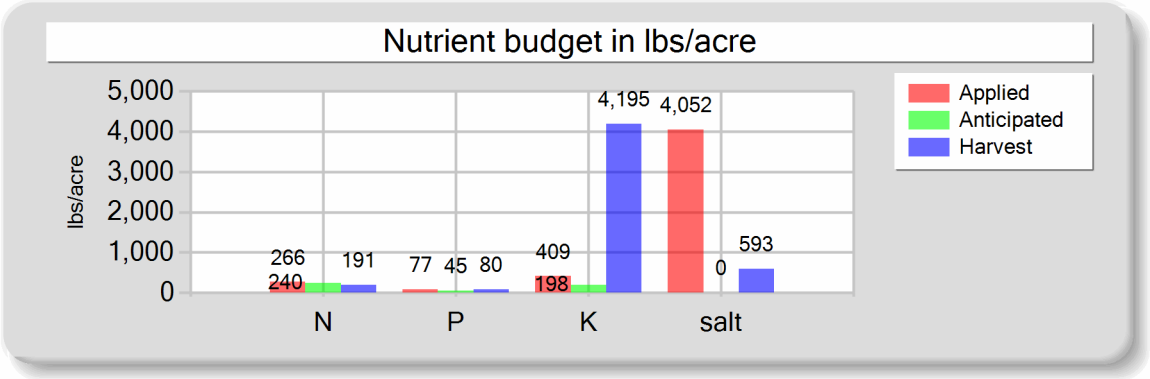

	Total N (lbs/acre)	Total P (lbs/acre)	Total K (lbs/acre)	Total salt (lbs/acre)
Existing soil nutrient content	0.00	0.00	0.00	0.00
Plowdown credit	0.00	0.00	0.00	0.00
Commercial fertilizer / Other	35.20	0.00	0.00	0.00
Dry manure	224.28	77.18	408.60	3,495.80
Process wastewater	0.00	0.00	0.00	0.00
Fresh water	0.00	0.00	0.00	556.65
Atmospheric deposition	7.00	0.00	0.00	0.00
Total nutrients applied	266.48	77.18	408.60	4,052.45
Anticipated crop nutrient removal	240.00	45.00	198.00	0.00
Actual crop nutrient removal	191.16	79.65	4,194.90	592.60
Nutrient balance	75.32	-2.47	-3,786.30	3,459.86
Applied to removed ratio	1.39	0.97	0.10	6.84

Fresh water applied	
34,254,000.00	*gallons*
1,261.46	*acre-inches*
33.20	*inches/acre*

Process wastewater applied	
0.00	*gallons*
0.00	*acre-inches*
0.00	*inches/acre*

Total harvests for the crop	
1	*harvests*

Field 7 - 10/29/2022: Oats, silage-soft dough

Field name: Field 7 Crop: Oats, silage-soft dough Plant date: 10/29/2022

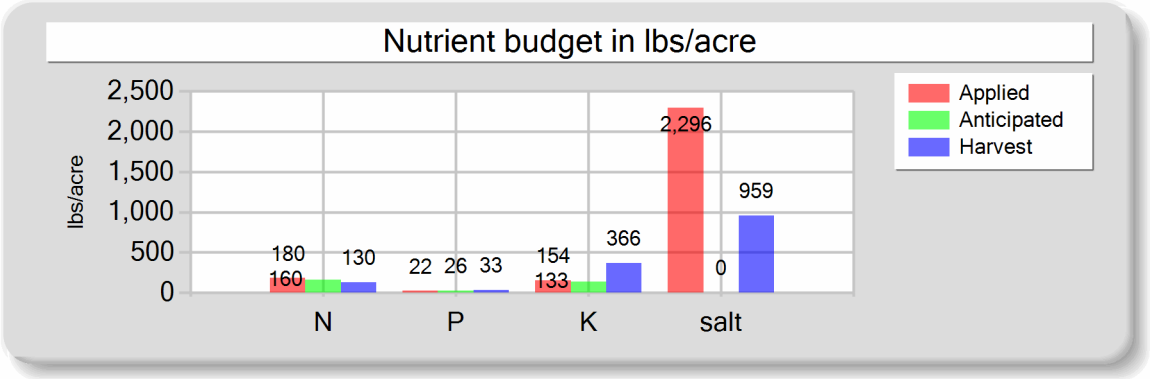

	Total N (lbs/acre)	Total P (lbs/acre)	Total K (lbs/acre)	Total salt (lbs/acre)
Existing soil nutrient content	0.00	0.00	0.00	0.00
Plowdown credit	0.00	0.00	0.00	0.00
Commercial fertilizer / Other	0.00	0.00	0.00	0.00
Dry manure	0.00	0.00	0.00	0.00
Process wastewater	173.14	21.90	154.34	2,295.50
Fresh water	0.00	0.00	0.00	0.00
Atmospheric deposition	7.00	0.00	0.00	0.00
Total nutrients applied	180.14	21.90	154.34	2,295.50
Anticipated crop nutrient removal	160.00	25.60	132.80	0.00
Actual crop nutrient removal	130.13	33.22	366.26	958.76
Nutrient balance	50.01	-11.33	-211.92	1,336.74
Applied to removed ratio	1.38	0.66	0.42	2.39

Fresh water applied	
0.00	*gallons*
0.00	*acre-inches*
0.00	*inches/acre*

Process wastewater applied	
2,394,000.00	*gallons*
88.16	*acre-inches*
1.73	*inches/acre*

Total harvests for the crop	
1	*harvests*

Field 7 - 06/03/2023: Corn, silage

Field name: Field 7 Crop: Corn, silage Plant date: 06/03/2023

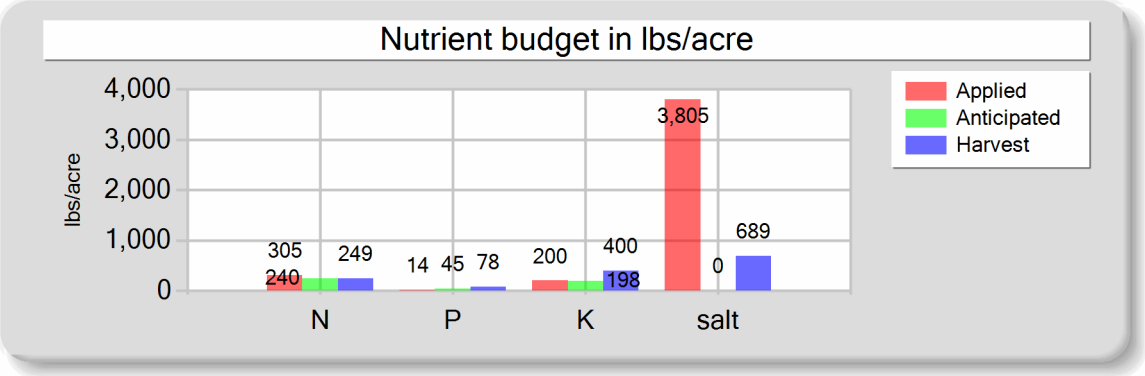

	Total N (lbs/acre)	Total P (lbs/acre)	Total K (lbs/acre)	Total salt (lbs/acre)
Existing soil nutrient content	0.00	0.00	0.00	0.00
Plowdown credit	0.00	0.00	0.00	0.00
Commercial fertilizer / Other	0.00	0.00	0.00	0.00
Dry manure	0.00	0.00	0.00	0.00
Process wastewater	262.57	13.79	200.25	2,083.41
Fresh water	35.48	0.00	0.00	1,721.72
Atmospheric deposition	7.00	0.00	0.00	0.00
Total nutrients applied	305.05	13.79	200.25	3,805.13
Anticipated crop nutrient removal	240.00	45.00	198.00	0.00
Actual crop nutrient removal	249.22	77.62	400.22	689.36
Nutrient balance	55.83	-63.82	-199.97	3,115.78
Applied to removed ratio	1.22	0.18	0.50	5.52

Fresh water applied	
42,600,000.00	*gallons*
1,568.81	*acre-inches*
30.76	*inches/acre*

Process wastewater applied	
2,907,000.00	*gallons*
107.05	*acre-inches*
2.10	*inches/acre*

Total harvests for the crop	
1	*harvests*

Field 8A - 10/29/2022: Oats, silage-soft dough

Field name: Field 8A Crop: Oats, silage-soft dough Plant date: 10/29/2022

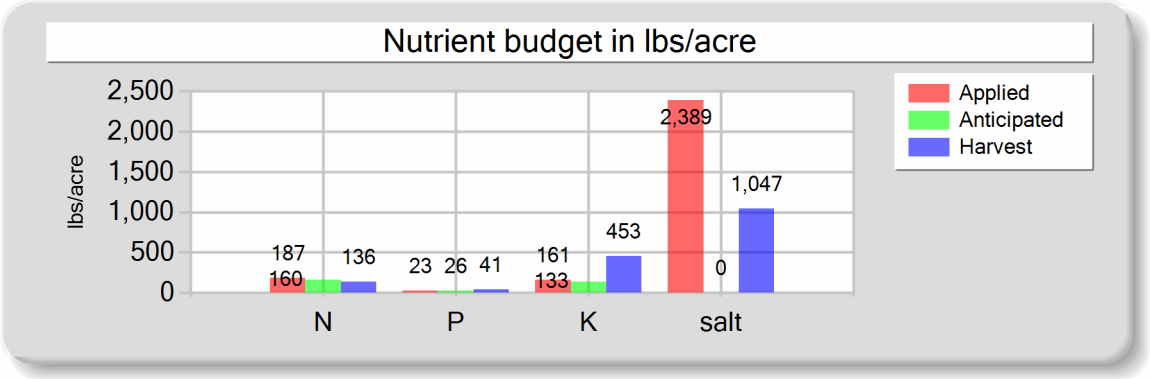

	Total N (lbs/acre)	Total P (lbs/acre)	Total K (lbs/acre)	Total salt (lbs/acre)
Existing soil nutrient content	0.00	0.00	0.00	0.00
Plowdown credit	0.00	0.00	0.00	0.00
Commercial fertilizer / Other	0.00	0.00	0.00	0.00
Dry manure	0.00	0.00	0.00	0.00
Process wastewater	180.21	22.79	160.64	2,389.20
Fresh water	0.00	0.00	0.00	0.00
Atmospheric deposition	7.00	0.00	0.00	0.00
Total nutrients applied	187.21	22.79	160.64	2,389.20
Anticipated crop nutrient removal	160.00	25.60	132.80	0.00
Actual crop nutrient removal	135.85	41.41	452.85	1,046.58
Nutrient balance	51.36	-18.62	-292.21	1,342.62
Applied to removed ratio	1.38	0.55	0.35	2.28

Fresh water applied
0.00 *gallons*
0.00 *acre-inches*
0.00 *inches/acre*

Process wastewater applied
1,026,000.00 *gallons*
37.78 *acre-inches*
1.80 *inches/acre*

Total harvests for the crop
1 *harvests*

Field 8A - 06/10/2023: Corn, silage

Field name: Field 8A Crop: Corn, silage Plant date: 06/10/2023

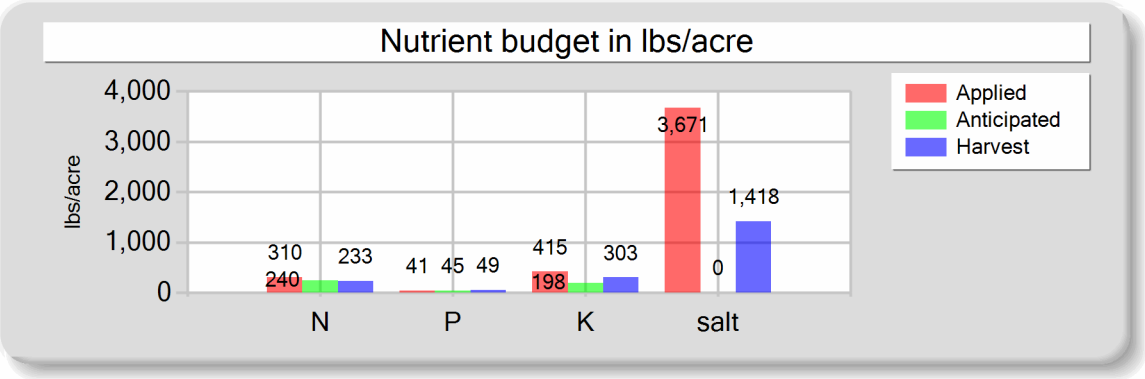

	Total N (lbs/acre)	Total P (lbs/acre)	Total K (lbs/acre)	Total salt (lbs/acre)
Existing soil nutrient content	0.00	0.00	0.00	0.00
Plowdown credit	0.00	0.00	0.00	0.00
Commercial fertilizer / Other	0.00	0.00	0.00	0.00
Dry manure	0.00	0.00	0.00	0.00
Process wastewater	271.94	40.73	415.14	2,154.54
Fresh water	31.25	0.00	0.00	1,516.47
Atmospheric deposition	7.00	0.00	0.00	0.00
Total nutrients applied	310.19	40.73	415.14	3,671.00
Anticipated crop nutrient removal	240.00	45.00	198.00	0.00
Actual crop nutrient removal	232.93	49.13	302.87	1,417.72
Nutrient balance	77.26	-8.40	112.27	2,253.28
Applied to removed ratio	1.33	0.83	1.37	2.59

Fresh water applied	
15,450,000.00	*gallons*
568.97	*acre-inches*
27.09	*inches/acre*

Process wastewater applied	
3,306,000.00	*gallons*
121.75	*acre-inches*
5.80	*inches/acre*

Total harvests for the crop	
1	*harvests*

Field 8B - 01/10/2021: Almond, in shell

Field name: Field 8B Crop: Almond, in shell Plant date: 01/10/2021

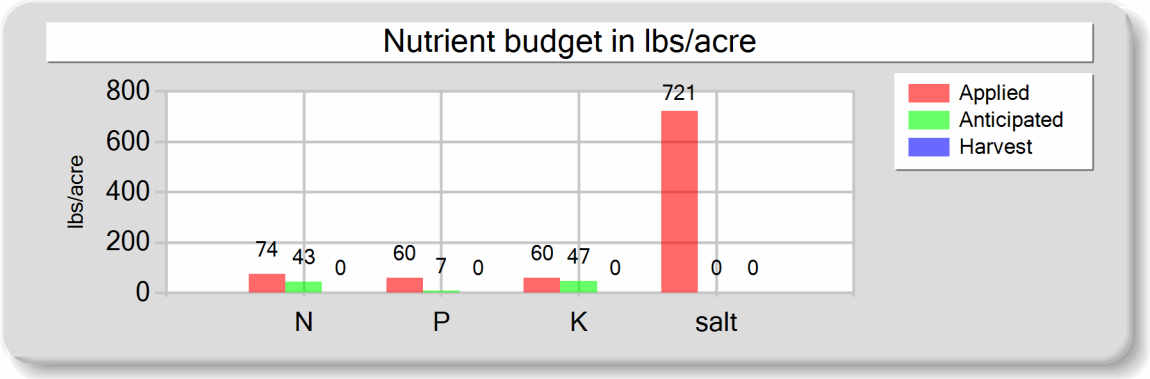

	Total N (lbs/acre)	Total P (lbs/acre)	Total K (lbs/acre)	Total salt (lbs/acre)
Existing soil nutrient content	0.00	0.00	0.00	0.00
Plowdown credit	0.00	0.00	0.00	0.00
Commercial fertilizer / Other	60.00	60.00	60.00	0.00
Dry manure	0.00	0.00	0.00	0.00
Process wastewater	0.00	0.00	0.00	0.00
Fresh water	0.00	0.00	0.00	720.66
Atmospheric deposition	14.00	0.00	0.00	0.00
Total nutrients applied	74.00	60.00	60.00	720.66
Anticipated crop nutrient removal	43.00	7.30	46.50	0.00
Actual crop nutrient removal	0.00	0.00	0.00	0.00
Nutrient balance	74.00	60.00	60.00	720.66
Applied to removed ratio	0.00	0.00	0.00	0.00

Fresh water applied	
32,676,000.00	*gallons*
1,203.35	*acre-inches*
42.98	*inches/acre*

Process wastewater applied	
0.00	*gallons*
0.00	*acre-inches*
0.00	*inches/acre*

Total harvests for the crop	
1	*harvests*

Field 9 - 02/25/2019: Almond, in shell

Field name: Field 9 Crop: Almond, in shell Plant date: 02/25/2019

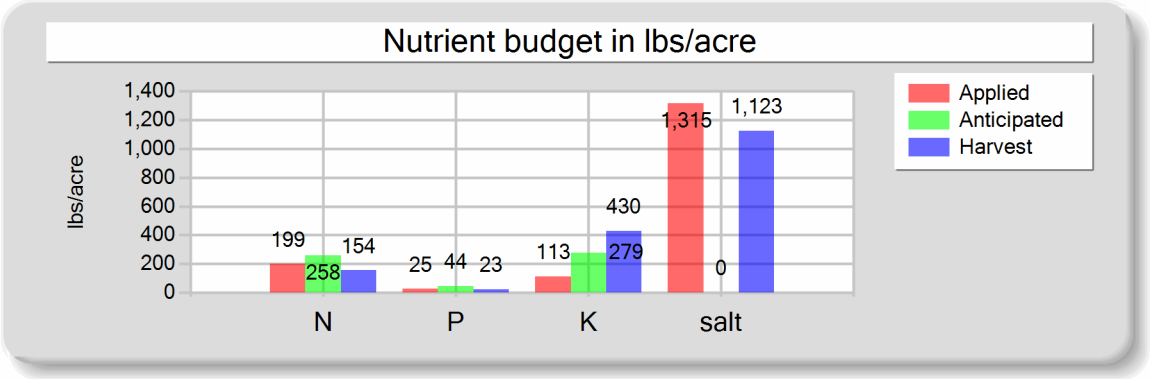

	Total N (lbs/acre)	Total P (lbs/acre)	Total K (lbs/acre)	Total salt (lbs/acre)
Existing soil nutrient content	0.00	0.00	0.00	0.00
Plowdown credit	0.00	0.00	0.00	0.00
Commercial fertilizer / Other	124.40	0.00	0.00	0.00
Dry manure	60.65	25.27	113.38	637.23
Process wastewater	0.00	0.00	0.00	0.00
Fresh water	0.00	0.00	0.00	677.89
Atmospheric deposition	14.00	0.00	0.00	0.00
Total nutrients applied	199.05	25.27	113.38	1,315.12
Anticipated crop nutrient removal	258.00	43.80	279.00	0.00
Actual crop nutrient removal	154.26	22.64	430.42	1,123.37
Nutrient balance	44.79	2.63	-317.04	191.75
Applied to removed ratio	1.29	1.12	0.26	1.17

Fresh water applied	
26,346,000.00	*gallons*
970.23	*acre-inches*
40.43	*inches/acre*

Process wastewater applied	
0.00	*gallons*
0.00	*acre-inches*
0.00	*inches/acre*

Total harvests for the crop	
1	*harvests*

NUTRIENT ANALYSES

A. MANURE ANALYSES

Corral Solids Dairy 2

Sample and source description: Corral Solids Dairy 2
Sample date: 09/12/2022 Material type: Corral solids Source of analysis: Lab analysis Method of reporting: Dry-weight
Moisture: 58.8 %

	Total N (mg/kg)	Total P (mg/kg)	Total K (mg/kg)	Calcium (mg/kg)	Magnesium (mg/kg)	Sodium (mg/kg)	Sulfur (mg/kg)	Chloride (mg/kg)	Total salt (mg/kg)	TFS (%)
Value	27,600.00	11,500.00	51,600.00	29,000.00	12,300.00	2,850.00	7,700.00	1,820.00		29.00
DL	100.00	100.00	100.00	100.00	100.00	100.00	100.00	50.00		0.01

Corral Solids Dairy 2

Sample and source description: Corral Solids Dairy 2
Sample date: 04/17/2023 Material type: Corral solids Source of analysis: Lab analysis Method of reporting: Dry-weight
Moisture: 54.6 %

	Total N (mg/kg)	Total P (mg/kg)	Total K (mg/kg)	Calcium (mg/kg)	Magnesium (mg/kg)	Sodium (mg/kg)	Sulfur (mg/kg)	Chloride (mg/kg)	Total salt (mg/kg)	TFS (%)
Value	24,700.00	8,500.00	45,000.00	19,700.00	7,800.00	5,500.00	5,200.00	2,890.00		38.50
DL	100.00	100.00	100.00	100.00	100.00	100.00	100.00	50.00		0.01

Corral Solids Dairy 2

Sample and source description: Corral Solids Dairy 2
Sample date: 10/09/2023 Material type: Corral solids Source of analysis: Lab analysis Method of reporting: Dry-weight
Moisture: 48.6 %

	Total N (mg/kg)	Total P (mg/kg)	Total K (mg/kg)	Calcium (mg/kg)	Magnesium (mg/kg)	Sodium (mg/kg)	Sulfur (mg/kg)	Chloride (mg/kg)	Total salt (mg/kg)	TFS (%)
Value	23,900.00	11,900.00	51,100.00							31.00
DL	100.00	100.00	100.00							0.01

B. PROCESS WASTEWATER ANALYSES

WWQ1

Sample and source description: WWQ1

Sample date: 02/21/2023 Material type: Process wastewater Source of analysis: Lab analysis pH: 7.10

	Kjeldahl-N (mg/L)	NH4-N (mg/L)	NH3-N (mg/L)	Nitrate-N (mg/L)	Total P (mg/L)	Total K (mg/L)	Calcium (mg/L)	Magnes. (mg/L)	Sodium (mg/L)	Bicarb. (mg/L)	Carb. (mg/L)	Sulfate (mg/L)	Chloride (mg/L)	EC (µmhos/cm)	TDS (mg/L)
Value	442.00	311.00	0.00	0.00	55.90	394.00	115.00	70.80	47.10	2,520.00	0.00	255.00	283.00	6,000.00	5,860
DL	0.50	0.50	0.50	0.50	0.50	0.50	0.50	0.50	0.50	0.50	2.00	1.00	0.10	1.00	10

WWQ2

Sample and source description: WWQ2

Sample date: 04/10/2023 Material type: Process wastewater Source of analysis: Lab analysis pH: 7.10

	Kjeldahl-N (mg/L)	NH4-N (mg/L)	NH3-N (mg/L)	Nitrate-N (mg/L)	Total P (mg/L)	Total K (mg/L)	Calcium (mg/L)	Magnes. (mg/L)	Sodium (mg/L)	Bicarb. (mg/L)	Carb. (mg/L)	Sulfate (mg/L)	Chloride (mg/L)	EC (µmhos/cm)	TDS (mg/L)
Value	552.00	235.00	0.00	0.00	29.00	421.00								5,420.00	4,380
DL	0.50	0.50	0.50	0.50	0.50	0.50								1.00	10

WWQ3

Sample and source description: WWQ3

Sample date: 07/26/2023 Material type: Process wastewater Source of analysis: Lab analysis pH: 7.30

	Kjeldahl-N (mg/L)	NH4-N (mg/L)	NH3-N (mg/L)	Nitrate-N (mg/L)	Total P (mg/L)	Total K (mg/L)	Calcium (mg/L)	Magnes. (mg/L)	Sodium (mg/L)	Bicarb. (mg/L)	Carb. (mg/L)	Sulfate (mg/L)	Chloride (mg/L)	EC (µmhos/cm)	TDS (mg/L)
Value	207.00	157.00	0.00	0.00	31.00	316.00								3,090.00	1,640
DL	0.50	0.50	0.50	0.50	0.50	0.50								1.00	10

WWQ4

Sample and source description: WWQ4

Sample date: 10/30/2023 Material type: Process wastewater Source of analysis: Lab analysis pH: 7.00

	Kjeldahl-N (mg/L)	NH4-N (mg/L)	NH3-N (mg/L)	Nitrate-N (mg/L)	Total P (mg/L)	Total K (mg/L)	Calcium (mg/L)	Magnes. (mg/L)	Sodium (mg/L)	Bicarb. (mg/L)	Carb. (mg/L)	Sulfate (mg/L)	Chloride (mg/L)	EC (µmhos/cm)	TDS (mg/L)
Value	230.00	160.00	0.00	0.00	57.50	292.00								3,130.00	2,100
DL	0.50	0.50	0.50	0.50	0.50	0.50								1.00	10

C. FRESH WATER ANALYSES

IW #2

IW #2

Sample description: IW #2

Sample date: 08/31/2023 Source of analysis: Lab analysis

	Total N (mg/L)	NH4-N (mg/L)	Nitrate-N (mg/L)	Calcium (mg/L)	Magnesium (mg/L)	Sodium (mg/L)	Bicarbonate (mg/L)	Carbonate (mg/L)	Sulfate (mg/L)	Chloride (mg/L)	EC (µmhos/cm)	TDS (mg/L)
Value	5.09	0.00	4.60								353.00	247
DL	1.00	0.50	0.50								10.00	10

IW 5 Morris

IW Morris

Sample description: IW Morris

Sample date: 08/31/2023 Source of analysis: Lab analysis

	Total N (mg/L)	NH4-N (mg/L)	Nitrate-N (mg/L)	Calcium (mg/L)	Magnesium (mg/L)	Sodium (mg/L)	Bicarbonate (mg/L)	Carbonate (mg/L)	Sulfate (mg/L)	Chloride (mg/L)	EC (µmhos/cm)	TDS (mg/L)
Value	3.65	0.00	3.00								360.00	240
DL	1.00	0.50	0.50								10.00	10

IW Cody's

IW Cody's

Sample description: IW Cody's

Sample date: 08/31/2023 Source of analysis: Lab analysis

	Total N (mg/L)	NH4-N (mg/L)	Nitrate-N (mg/L)	Calcium (mg/L)	Magnesium (mg/L)	Sodium (mg/L)	Bicarbonate (mg/L)	Carbonate (mg/L)	Sulfate (mg/L)	Chloride (mg/L)	EC (µmhos/cm)	TDS (mg/L)
Value	4.25	0.00	4.10								453.00	290
DL	1.00	0.50	0.50								10.00	10

IW Creek

IW Creek

Sample description: IW Creek

Sample date: 08/31/2023 Source of analysis: Lab analysis

	Total N (mg/L)	NH4-N (mg/L)	Nitrate-N (mg/L)	Calcium (mg/L)	Magnesium (mg/L)	Sodium (mg/L)	Bicarbonate (mg/L)	Carbonate (mg/L)	Sulfate (mg/L)	Chloride (mg/L)	EC (µmhos/cm)	TDS (mg/L)
Value	0.00	0.00	0.00								77.50	74
DL	1.00	0.50	0.10								10.00	10

D. SOIL ANALYSES

Field 12 (Morris)

Soil

Sample and source description: Soil

Sample date: 12/05/2023 Source of analysis: Lab analysis

	Nitrate-N (mg/kg)	Total P (mg/kg)	Soluble P (mg/kg)	K (mg/kg)	EC (µmhos/cm)	Organic matter (%)	Total salt (mg/kg)
Value			60.00				
DL			4.00				

Field 7

Soils

Sample and source description: Soils

Sample date: 12/05/2023 Source of analysis: Lab analysis

	Nitrate-N (mg/kg)	Total P (mg/kg)	Soluble P (mg/kg)	K (mg/kg)	EC (µmhos/cm)	Organic matter (%)	Total salt (mg/kg)
Value			84.00				
DL			4.00				

Field 8A

Field 8A

Soil

Sample and source description: Soil

Sample date: 12/05/2023 Source of analysis: Lab analysis

	Nitrate-N (mg/kg)	Total P (mg/kg)	Soluble P (mg/kg)	K (mg/kg)	EC (µmhos/cm)	Organic matter (%)	Total salt (mg/kg)
Value			80.00				
DL			4.00				

E. PLANT TISSUE ANALYSES

Field 12 (Morris) - 10/30/2022: Oats, silage-soft dough

Forage

Sample and source description: Forage

Sample date: 05/09/2023 Source of analysis: Lab analysis Method of reporting: As-is

Moisture: 75.6 %

	Total N (mg/kg)	Total P (mg/kg)	Total K (mg/kg)	Total salt (mg/kg)	TFS (%)
Value	3,170.00	850.00	11,700.00		11.40
DL	100.00	100.00	100.00		0.01

Field 12 (Morris) - 06/02/2023: Corn, silage

Corn Silage

Sample and source description: Corn Silage

Sample date: 10/02/2023 Source of analysis: Lab analysis Method of reporting: As-is

Moisture: 67.6 %

	Total N (mg/kg)	Total P (mg/kg)	Total K (mg/kg)	Total salt (mg/kg)	TFS (%)
Value	3,240.00	1,350.00	71,100.00		3.10
DL	100.00	100.00	100.00		0.01

Field 7 - 10/29/2022: Oats, silage-soft dough

Forage

Sample and source description: Forage

Sample date: 05/09/2023 Source of analysis: Lab analysis Method of reporting: As-is

Moisture: 76.0 %

	Total N (mg/kg)	Total P (mg/kg)	Total K (mg/kg)	Total salt (mg/kg)	TFS (%)
Value	3,290.00	840.00	9,260.00		10.10
DL	100.00	100.00	100.00		0.01

Field 7 - 06/03/2023: Corn, silage

Corn Silage

Sample and source description: Corn Silage

Sample date: 10/02/2023 Source of analysis: Lab analysis Method of reporting: As-is

Moisture: 61.6 %

	Total N (mg/kg)	Total P (mg/kg)	Total K (mg/kg)	Total salt (mg/kg)	TFS (%)
Value	4,720.00	1,470.00	7,580.00		3.40
DL	100.00	100.00	100.00		0.01

Field 8A - 10/29/2022: Oats, silage-soft dough

Forage

Sample and source description: Forage

Sample date: 05/09/2023 Source of analysis: Lab analysis Method of reporting: As-is

Moisture: 74.0 %

	Total N (mg/kg)	Total P (mg/kg)	Total K (mg/kg)	Total salt (mg/kg)	TFS (%)
Value	3,510.00	1,070.00	11,700.00		10.40
DL	100.00	100.00	100.00		0.01

Field 8A - 06/10/2023: Corn, silage

Corn Silage

Sample and source description: Corn Silage

Sample date: 10/09/2023 Source of analysis: Lab analysis Method of reporting: As-is

Moisture: 70.8 %

	Total N (mg/kg)	Total P (mg/kg)	Total K (mg/kg)	Total salt (mg/kg)	TFS (%)
Value	4,030.00	850.00	5,240.00		8.40
DL	100.00	100.00	100.00		0.01

Field 8B - 01/10/2021: Almond, in shell

Almonds

Sample and source description: Almonds

Sample date: 12/15/2023 Source of analysis: Lab analysis Method of reporting: As-is

Moisture: 8.6 %

	Total N (mg/kg)	Total P (mg/kg)	Total K (mg/kg)	Total salt (mg/kg)	TFS (%)
Value	12,400.00	1,820.00	34,600.00		9.88
DL	100.00	100.00	100.00		0.01

F. SUBSURFACE (TILE) DRAINAGE ANALYSES

No subsurface (tile) drainage analyses entered.

NUTRIENT APPLICATIONS, POTENTIAL REMOVAL, AND BALANCE

A. SUMMARY OF NUTRIENT APPLICATIONS, POTENTIAL REMOVAL, AND BALANCE

	Total N (lbs)	Total P (lbs)	Total K (lbs)	Total salt (lbs)
Existing soil nutrient content	0.00	0.00	0.00	0.00
Plowdown credit	0.00	0.00	0.00	0.00
Commercial fertilizer / Other	6,003.20	1,680.00	1,680.00	0.00
Dry manure	16,800.72	6,382.10	31,003.50	219,821.84
Process wastewater	31,716.39	3,154.13	30,175.71	318,743.12
Fresh water	2,465.73	0.00	0.00	177,254.26
Atmospheric deposition	2,268.00	0.00	0.00	0.00
Total nutrients applied	59,254.05	11,216.24	62,859.21	715,819.22
Anticipated crop nutrient removal	51,396.00	9,021.60	44,386.00	0.00
Actual crop nutrient removal	42,731.22	12,377.61	241,947.62	226,295.80
Nutrient balance	16,522.83	-1,161.37	-179,088.41	489,523.41
Applied to removed ratio	1.39	0.91	0.26	3.16

B. POUNDS OF NUTRIENT APPLIED VS. CROP REMOVAL

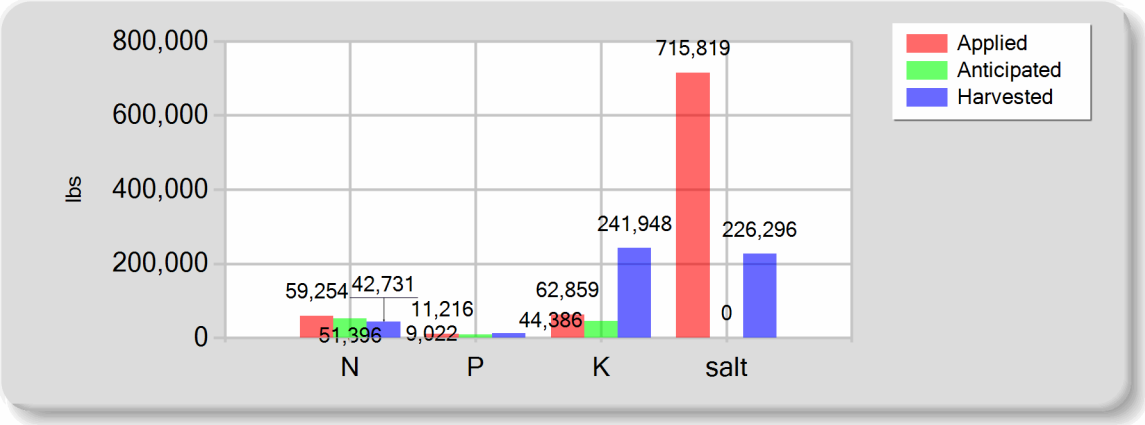

C. POUNDS OF NUTRIENT APPLIED BY MATERIAL TYPE

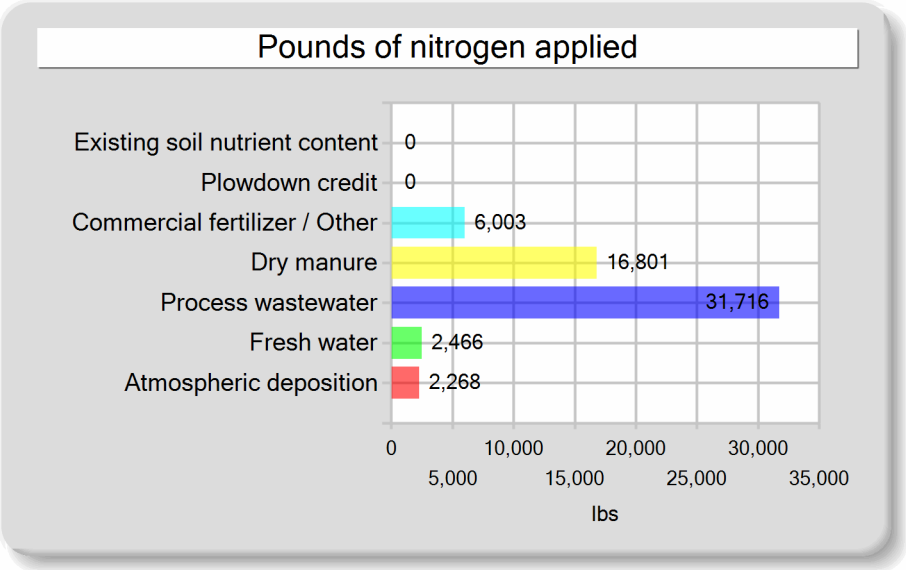

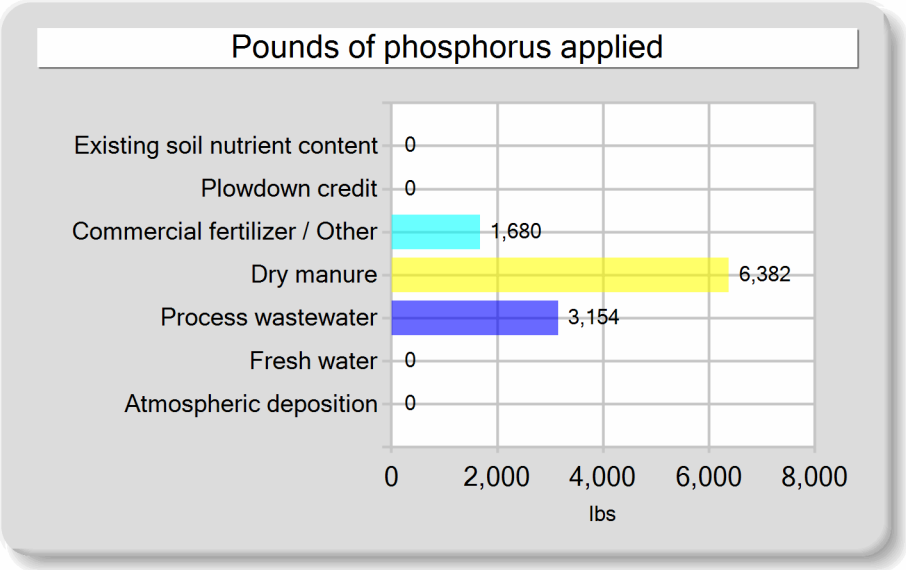

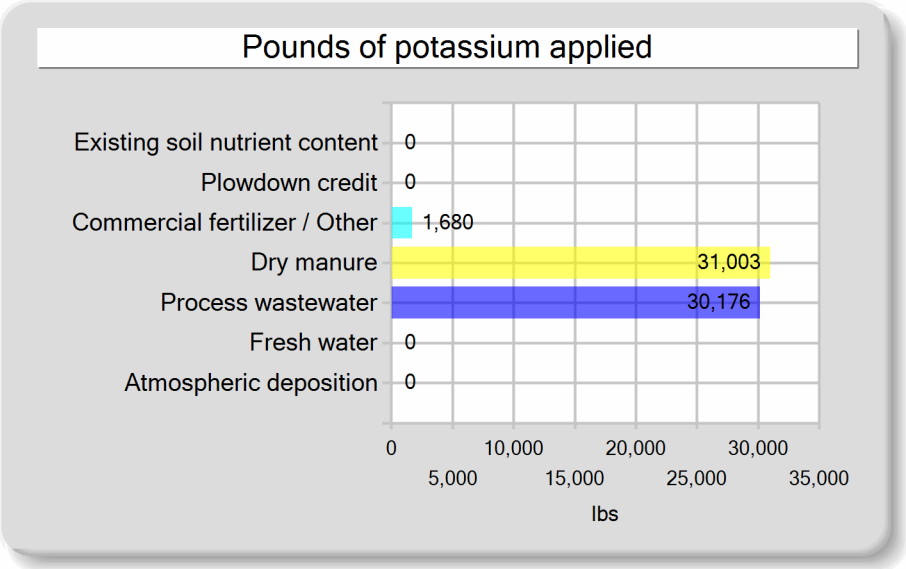

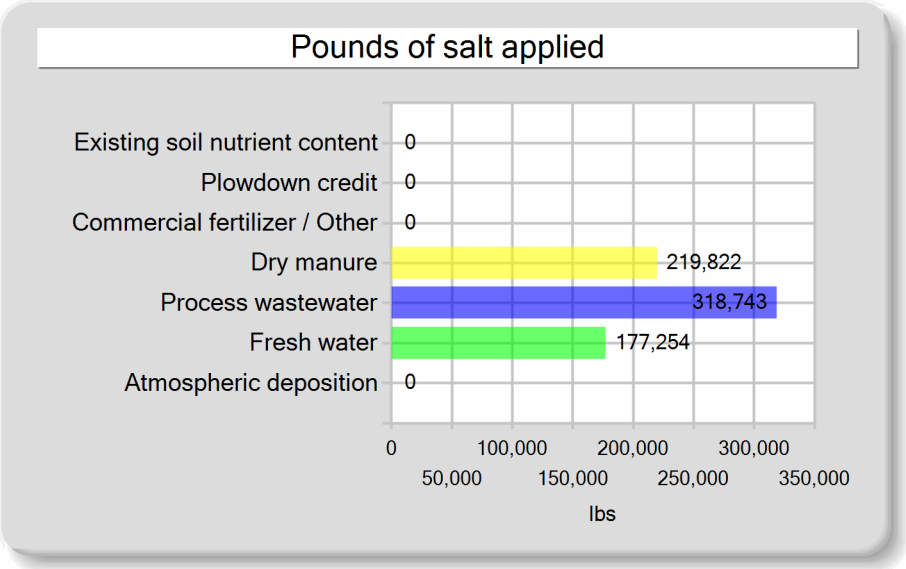

EXCEPTION REPORTING

A. MANURE, PROCESS WASTEWATER, AND OTHER DAIRY WASTE DISCHARGES

The following is a summary of all manure and process wastewater discharges from the production area to surface water or to land areas (land application areas or otherwise) when not in accordance with the facility's Nutrient Management Plan.

No manure or process wastewater discharges occurred during the reporting period.

B. STORM WATER DISCHARGES

The following is a summary of all storm water discharges from the production area to surface water during the reporting period when not in accordance with the facility 's Nutrient Management Plan.

No stormwater discharges occurred during the reporting period.

C. LAND APPLICATION AREA TO SURFACE WATER DISCHARGES

The following is a summary of all discharges from the land application area to surface water that have occurred during the reporting period when not in accordance with the facility's Nutrient Management Plan.

No land application area to surface water discharges occurred during the reporting period.

NUTRIENT MANAGEMENT PLAN AND EXPORT AGREEMENT STATEMENTS

A. NUTRIENT MANAGEMENT PLAN STATEMENTS

Was the facility's NMP updated in the reporting period?	Yes
Was the facility's NMP developed by a certified nutrient management planner (specialist) as specified in Attachment C of the General Order?	Yes
Was the facility's NMP approved by a certified nutrient management planner (specialist) as specified in Attachment C of the General Order?	Yes

B. EXPORT AGREEMENT STATEMENT

Are there any written agreements with third parties to receive manure or process wastewater that are new or were revised within the reporting period?	No

ADDITIONAL NOTES

A. NOTES

Field 12 Oats (1.52) had a high nitrogen field ratio as field failed to meet anticipated nitrogen removal rate of 160 pounds/acre. The subject field removed only 123 pounds of nitrogen/acre. Yield for the field was adequate however a low nitrogen value from the plant tissue lab analysis resulted in only 6.34 pounds of nitrogen removed per harvested ton compared to the anticipated 10 pounds of nitrogen removed per harvested ton which was the main reason for the high nitrogen field ratio. Nitrogen application to the field was not considered excessive but in line with that recommended in the dairy's nutrient management plan.

CERTIFICATION

A. OWNER AND/OR OPERATOR CERTIFICATION

I certify under penalty of law that I have personally examined and am familiar with the information submitted in this document and all attachments and that, based on my inquiry of those individuals immediately responsible for obtaining the information, I believe that the information is true, accurate, and complete. I am aware that there are significant penalties for submitting false information, including the possibility of fine and imprisonment.

Ronald Prins
Ronald Prins (Jun 13, 2024 12:41 PDT)

SIGNATURE OF OWNER OF FACILITY	SIGNATURE OF OPERATOR OF FACILITY
Ron Prins	SAME AS OWNER
PRINT OR TYPE NAME	PRINT OR TYPE NAME
Jun 13, 2024	
DATE	DATE

ATTACHMENTS

A. REQUIRED ATTACHMENTS

The following lists the required documents that should be attached to the Annual Report when submitted .

Annual Dairy Facility Assessment
Provide an Annual Dairy Facility Assessment (an update to the Preliminary Dairy Facility Assessment in Attachment A) for each reporting period. On the PDFA Final page, click on the ADFA Report button to generate an ADFA report after updating information as needed .

Manure/Process Wastewater Tracking Manifests
Provide copies of all manure/process wastewater tracking manifests for the reporting period, signed by both the owner/operator and the hauler.

Corrective Actions Documents
Provide records documenting any corrective actions taken to correct deficiencies noted as a result of the inspections required in the Monitoring Requirements of the General Order. Deficiencies not corrected in 30 days must be accompanied by an explanation of the factors preventing immediate correction.

Groundwater Monitoring
Dischargers that monitor supply wells or subsurface (tile) drainage systems, or that have monitoring well systems must submit monitoring results as directed in the General Order, Groundwater Reporting Section starting on page MRP-13.

Storm Water Monitoring
Dischargers that are required to monitor storm water more frequently than required in the General Order must submit monitoring results as directed in the General Order, Storm Water Reporting Section on page MRP-14.

ATTACHMENT D

Manure/Process Wastewater Tracking Manifest
For
Existing Milk Cow Dairies

Instructions:

1) Complete one manifest for each hauling event, for each destination. A hauling event may last for several days, as long as the manure is being hauled to the same destination.
2) If there are multiple destinations, **complete a separate form for each destination.**
3) The operator must obtain the signature of the hauler upon completion of each manure-hauling event.
4) The operator shall submit copies of manure/process wastewater tracking manifest(s) with the Annual Monitoring Report for Existing Milk Cow Dairies.

Operator Information:

Name of Operator: Ron Prins

Name of Dairy Facility: E.R. Prins Dairy #2

Facility Address: 9863 S. Van Allen Road, Stockton, CA 95215
Number and Street | City | Zip Code

Contact Person Name and Phone Number: Ron Prins 209-483-3225
Name | Phone Number

Manure/Process Wastewater Hauler Information:

Name of Hauling Company/Person: E.R. Prins Dairy

Address of Hauling Company /Person: 10385 S. Van Allen Road, Stockton, CA 95215
Number and Street | City | Zip Code

Contact Person: Ron Prins 209-483-3225
Name | Phone Number

Destination Information:

Composting Facility / Broker / Farmer / Other (identify) _____ (please circle one)

Contact information of Composting Facility, Broker, Farmer, or Other (as identified above):

E.R. Prins Dairy #1 10385 S. Van Allen Road, Stockton, CA 95215 209-483-3225
Name | Number and Street | City | Zip Code | Phone Number

Manure/Process Wastewater Destination Address or Assessor's Parcel Number:

0000 Carter Road, Farmington, CA 95230 Stanislaus County APN 002-001-074
Number and Street | City | Zip Code | Assessor's Parcel Number

Dates Hauled: 10/5/2023

Amount Hauled:

Enter the amount of manure hauled in tons or cubic yards (indicate the units used), the manure solids content (if amount reported in tons) or manure density (if amount reported in cubic yards), and the method used to calculate the amount:

Manure: 820 Tons or Cubic Yards (indicate which units used)
Manure Solids Content (if amount reported in tons): 48.6% moisture
Manure Density (if amount reported in cubic yards): _____

Method used to determine amount of manure: _____

82 loads at 10 ton/load

Enter the amount of process wastewater hauled in gallons and the method used to determine the amount.

Process Wastewater: _____ Gallons

Method used to determine volume of process wastewater: _____

_____

Written Agreement:
Does the Operator have a written agreement (in compliance with Land Application Specification E.3 of Reissued Waste Discharge Requirements General Order No. R5-2013-0122) with any party that receives process wastewater from the Operator for its own use? (please check one)

____ Yes _____ No

If the answer is no, the Operator agrees to have such a written agreement with any such party for any process wastewater transferred after **31 December 2007** to such party.
_____ (Operator shall provide initials here to acknowledge this requirement).

Certification:
I declare under the penalty of law that I personally examined and am familiar with the information submitted in this document, and that based on my inquiry of those individuals immediately responsible for obtaining the information, I believe that the information is true, accurate, and complete. I am aware that there are significant penalties for submitting false information, including the possibility of a fine and imprisonment for knowing violations.

Operator's Signature: Ronald Prins
Ronald Prins (Jun 13, 2024 12:41 PDT) Date: Jun 13, 2024

Hauler's Signature: Ronald Prins
Ronald Prins (Jun 13, 2024 12:41 PDT) Date: Jun 13, 2024

DELLAVALLE™
LABORATORY INC

E & R Prins/Prins Heifer
9863 S Van Allen
Stockton, CA 95215

Account# 00-0026174
Account Manager: Scott Sakamoto
Submitted By: Jeanette Sawyer

Received: 08/31/2023 15:45
Reported: 09/06/2023 15:32

Samples in this Report

Lab ID	Sample	Matrix	Sampled By	Crop	Date Sampled
23H2465-01	DW Cody's	Drinking Water			08/31/2023 6:30
23H2465-02	DW Dairy 1 Barn	Drinking Water			08/31/2023 6:30
23H2465-03	DW Dairy 2 Barn	Drinking Water			08/31/2023 6:30
23H2465-04	DW Skiff House	Drinking Water			08/31/2023 6:30

Default Cooler Temperature on Receipt °C: 1.8

Containers Intact
COC/Labels Agree
Preservation Confirmed
Received On Ice

Notes and Definitions

Item	Definition
H	Hold Time Exceeded
MCL	Drinking Water Maximum Contaminant Level
ND	Analyte NOT DETECTED at or above the reporting limit.
NES	Not Enough Sample
*	Not Taken
RPD	Relative Percent Difference
%REC	Percent Recovery
Source	Sample that was matrix spiked or duplicated.

Scott McFriedland

Laboratory Director/Technical Manager

ELAP Certification #1595
A2LA Certification #6440.02

The results in this report apply to the samples as received and were analyzed in accordance with the chain of custody document. This analytical report must be reproduced in its entirety. All results listed in this report are for the exclusive use of the submitting party. Dellavalle Laboratory, Inc. assumes no responsibility for report alteration, separation, detachment or third party interpretation.

DELLAVALLE™
LABORATORY INC

E & R Prins/Prins Heifer
9863 S Van Allen
Stockton, CA 95215

Account# 00-0026174
Account Manager: Scott Sakamoto
Submitted By: Jeanette Sawyer

Received: 08/31/2023 15:45
Reported: 09/06/2023 15:32

Sample Results

Sample: DW Cody's
23H2465-01 (Water)

Sampled: 8/31/2023 6:30
Sampled By:

Analyte	Result	Units	Reporting Limit	DIL	DW MCL	Date/Time Analyzed	Method	Notes	Batch
Electrical Conductivity	**0.63**	mmhos/cm	0.01	1		09/01/23 10:14	SM 2510 B		BEH1489
Electrical Conductivity umhos	**635**	umhos/cm	10.0	1		09/01/23 10:14	SM 2510 B		BEH1489
Ammonia (as N)	*	mg/L	0.00	1		08/31/23 06:30	Field		BEI0109
Nitrate Nitrogen as NO3N	**15.2**	mg/L	0.1	1	10	08/31/23 21:12	EPA 300.0		BEH1478
pH	**7.8**	units	1.0	1		09/01/23 10:14	SM 4500-H+	H	BEH1489
Temperature	**25.0**	°C	0.0	1		09/01/23 10:14	SM 2510 B		BEH1489
Kjeldahl Nitrogen (TKN), Total	ND	mg/L	1.00	1		09/05/23 16:01	SM 4500-NH3 C		BEI0014
Total Nitrogen	**15.2**	mg/L	1.00	1		09/05/23 16:01	SM 4500-NH3 C		BEI0014

The results in this report apply to the samples as received and were analyzed in accordance with the chain of custody document. This analytical report must be reproduced in its entirety. All results listed in this report are for the exclusive use of the submitting party. Dellavalle Laboratory, Inc. assumes no responsibility for report alteration, separation, detachment or third party interpretation.

DELLAVALLE™
LABORATORY INC

E & R Prins/Prins Heifer
9863 S Van Allen
Stockton, CA 95215

Account# 00-0026174
Account Manager: Scott Sakamoto
Submitted By: Jeanette Sawyer

Received: 08/31/2023 15:45
Reported: 09/06/2023 15:32

Sample Results
(Continued)

Sample: DW Dairy 2 Barn
23H2465-03 (Water)

Sampled: 8/31/2023 6:30
Sampled By:

Analyte	Result	Units	Reporting Limit	DIL	DW MCL	Date/Time Analyzed	Method	Notes	Batch
Electrical Conductivity	**0.23**	mmhos/cm	0.01	1		09/01/23 10:17	SM 2510 B		BEH1489
Electrical Conductivity umhos	**225**	umhos/cm	10.0	1		09/01/23 10:17	SM 2510 B		BEH1489
Ammonia (as N)	*	mg/L	0.00	1		08/31/23 06:30	Field		BEI0109
Nitrate Nitrogen as NO3N	**1.5**	mg/L	0.1	1	10	08/31/23 21:51	EPA 300.0		BEH1478
pH	**7.8**	units	1.0	1		09/01/23 10:17	SM 4500-H+	H	BEH1489
Temperature	**25.0**	°C	0.0	1		09/01/23 10:17	SM 2510 B		BEH1489
Kjeldahl Nitrogen (TKN), Total	ND	mg/L	1.00	1		09/05/23 16:04	SM 4500-NH3 C		BEI0014
Total Nitrogen	**1.49**	mg/L	1.00	1		09/05/23 16:04	SM 4500-NH3 C		BEI0014

The results in this report apply to the samples as received and were analyzed in accordance with the chain of custody document. This analytical report must be reproduced in its entirety. All results listed in this report are for the exclusive use of the submitting party. Dellavalle Laboratory, Inc. assumes no responsibility for report alteration, separation, detachment or third party interpretation.

08/31/23 15:45 23H2465

DELLAVALLE LABORATORY, INC.

1910 W. McKinley Avenue, Suite 110 • Fresno, CA 93728
www.dellavallelab.com 559 233-6129 · 800 228-9896 · Fax 559 268-8174

Purchase Order No: 0161 140 | Bill To: Acct # NWS | Cons # 13 | 8/31/23

Results Need By

No. Samples: 4 | No of Bottles: 8

Name: E&R Prins

Address: 9863 S. Van Allen

City: Stockton State: CA Zip: 95215

Telephone: 209 838-1627 Fax:

Cell/Email: Jeanette: (209) 584-6811

COPY TO: F&R Ag Services
& JSawyer@Frogservices.com

REQUESTED BY: Jeanette Sawyer

PROJECT:

CROP:

Water Type: [ ] Drinking Water [ ] Wastewater
[ ] Ag Water [ ] Groundwater [ ] Monitoring Well

Other:

Analysis and Bottles Required: (*Please indicate Analysis*)

DWW1 + TU

Kara 9/1/23 10:18 - emailed Jeanette asking to call
14:55 - per Scotty, Jeanette called him, provided J's phone # to call her ~~planned & given her results~~ -KP 9/1/23

[ ] Co. Health Dept 15:15 - per Jeanette, ok & that
[ ] RWQCB [ ] Copy of Chain
[ ] State Forms [ ] QA/QC Documents

Sampled By:

	Description of Samples	Date Sampled	Time Sampled	Rec'd Temp °C	Field EC
0030	DW Cody's	8/31/23	start 6:30 AM	1.8	
15.2	Dairy 1 Barn			9.8	
5.2	David 2 Barn			-0.9	
1.5	SK Office House			-0.1	
3.5					
5					
6					
7					
8					
9					
10					

IR Thermometer SN: 200560723
Correction Factor: 0°C
Calibration Due: 9/26/2023
Location: Laboratory

CHAIN OF CUSTODY

Carrier	Signature	Company	Received (Date/Time)	Relinquished (Date/Time)
First	Jeanette Sawyer	F&R Ag Services		
Second	JLF	DLV	8-31-23 1:18	8-31-23 3:42
Third				
Fourth		DVI	8/31 15:45	

I guarantee that as the client, or on behalf of client named, I have the authority to contract the above requested services. Should it be found that I do not have such authority, I agree to be personally liable for all costs and, if there should be action against me for this breach, reasonable attorneys' fees. It is understood that payment is expected to be cash with samples unless terms have been previously arranged. Terms are net 30 days; overdue accounts will be charged a liquidated damage fee of 2% per month (annually 24%) or $5.00 per month whichever is greater.
If payment is not made when due and a legitimate dispute exists concerning the product or services of Dellavalle Laboratory, Inc., it will be submitted to mediation under the Rules and Procedures of Creative Alternative to Litigation, Inc. (*cal*). If the dispute is not resolved in mediation, then the dispute will be submitted to binding arbitration through *cal* under its Rules and Procedures. The parties will equally bear the costs of mediation/arbitration. If, however, the mediator declares that no legitimate dispute exists, then debtor will pay all mediation and arbitration costs, and in the event of arbitration, reasonable attorneys' fees of Dellavalle Laboratory.

Invoicing Information:

Sampling hrs
Miles
Consulting

Shipping
$ In
$ Out

Amt Paid	Rec By	Check #	Date

Signature
Sample received in cooler with ice (coolant)
[ ] Yes [ ] No

DELLAVALLE™
LABORATORY INC

E & R Prins/Prins Heifer
9863 S Van Allen
Stockton, CA 95215

Account# 00-0026174
Account Manager: Scott Sakamoto
Submitted By: Jeanette Sawyer

Received: 08/31/2023 15:45
Reported: 09/07/2023 14:57

Samples in this Report

Lab ID	Sample	Matrix	Sampled By	Crop	Date Sampled
23H2493-01	IW 1	Canal Water			08/31/2023 6:30
23H2493-02	IW 2	Canal Water			08/31/2023 6:30
23H2493-03	IW 3	Canal Water			08/31/2023 6:30
23H2493-04	IW 4	Canal Water			08/31/2023 6:30
23H2493-05	IW 5 Morris	Canal Water			08/31/2023 6:30
23H2493-06	IW Carter North	Canal Water			08/31/2023 6:30
23H2493-07	IW Carter South	Canal Water			08/31/2023 6:30
23H2493-08	IW Cody's	Canal Water			08/31/2023 6:30
23H2493-09	IW Creek	Canal Water			08/31/2023 6:30

Default Cooler Temperature on Receipt °C: 0.3

Containers Intact
COC/Labels Agree
Preservation Confirmed
Received On Ice

Notes and Definitions

Item	Definition
H	Hold Time Exceeded
MCL	Drinking Water Maximum Contaminant Level
ND	Analyte NOT DETECTED at or above the reporting limit.
NES	Not Enough Sample
*	Not Taken
RPD	Relative Percent Difference
%REC	Percent Recovery
Source	Sample that was matrix spiked or duplicated.

Scott McFriedland

Laboratory Director/Technical Manager

ELAP Certification #1595
A2LA Certification #6440.02

The results in this report apply to the samples as received and were analyzed in accordance with the chain of custody document. This analytical report must be reproduced in its entirety. All results listed in this report are for the exclusive use of the submitting party. Dellavalle Laboratory, Inc. assumes no responsibility for report alteration, separation, detachment or third party interpretation.

1910 W. McKinley Ave Suite 110 Fresno, CA 93728 559-233-6129 www.dellavallelab.com

DELLAVALLE™ LABORATORY INC

E & R Prins/Prins Heifer
9863 S Van Allen
Stockton, CA 95215

Account# 00-0026174
Account Manager: Scott Sakamoto
Submitted By: Jeanette Sawyer

Received: 08/31/2023 15:45
Reported: 09/07/2023 14:57

Sample Results
(Continued)

Sample: IW 2
23H2493-02 (Water)

Sampled: 8/31/2023 6:30
Sampled By:

Analyte	Result	Units	Reporting Limit	DIL	DW MCL	Date/Time Analyzed	Method	Notes	Batch
Electrical Conductivity	**0.35**	mmhos/cm	0.01	1		09/01/23 10:45	SM 2510 B		BEI0003
Electrical Conductivity umhos	**353**	umhos/cm	10.0	1		09/01/23 10:45	SM 2510 B		BEI0003
Nitrate Nitrogen as NO3N	**4.6**	mg/L	0.1	1	10	09/01/23 19:13	EPA 300.0		BEI0012
pH	**7.8**	units	1.0	1		09/01/23 10:45	SM 4500-H+	H	BEI0003
Total Filterable Solids (TDS)	**247**	mg/L	10.0	1		09/05/23 14:53	SM 2540 C		BEI0010
Temperature	**25.0**	°C	0.0	1		09/01/23 10:45	SM 2510 B		BEI0003
Kjeldahl Nitrogen (TKN), Total	ND	mg/L	1.00	1		09/07/23 08:51	SM 4500-NH3 C		BEI0083
Total Nitrogen	**5.09**	mg/L	1.00	1		09/07/23 08:51	SM 4500-NH3 C		BEI0083

The results in this report apply to the samples as received and were analyzed in accordance with the chain of custody document. This analytical report must be reproduced in its entirety. All results listed in this report are for the exclusive use of the submitting party. Dellavalle Laboratory, Inc. assumes no responsibility for report alteration, separation, detachment or third party interpretation.

DELLAVALLE™ LABORATORY INC

E & R Prins/Prins Heifer
9863 S Van Allen
Stockton, CA 95215

Account# 00-0026174
Account Manager: Scott Sakamoto
Submitted By: Jeanette Sawyer

Received: 08/31/2023 15:45
Reported: 09/07/2023 14:57

Sample Results
(Continued)

Sample: IW 5 Morris
23H2493-05 (Water)

Sampled: 8/31/2023 6:30
Sampled By:

Analyte	Result	Units	Reporting Limit	DIL	DW MCL	Date/Time Analyzed	Method	Notes	Batch
Electrical Conductivity	**0.36**	mmhos/cm	0.01	1		09/01/23 10:55	SM 2510 B		BEI0003
Electrical Conductivity umhos	**360**	umhos/cm	10.0	1		09/01/23 10:55	SM 2510 B		BEI0003
Nitrate Nitrogen as NO3N	**3.0**	mg/L	0.1	1	10	09/01/23 20:13	EPA 300.0		BEI0012
pH	**7.7**	units	1.0	1		09/01/23 10:55	SM 4500-H+	H	BEI0003
Total Filterable Solids (TDS)	**240**	mg/L	10.0	1		09/05/23 14:53	SM 2540 C		BEI0010
Temperature	**25.0**	°C	0.0	1		09/01/23 10:55	SM 2510 B		BEI0003
Kjeldahl Nitrogen (TKN), Total	ND	mg/L	1.00	1		09/07/23 08:56	SM 4500-NH3 C		BEI0083
Total Nitrogen	**3.65**	mg/L	1.00	1		09/07/23 08:56	SM 4500-NH3 C		BEI0083

The results in this report apply to the samples as received and were analyzed in accordance with the chain of custody document. This analytical report must be reproduced in its entirety. All results listed in this report are for the exclusive use of the submitting party. Dellavalle Laboratory, Inc. assumes no responsibility for report alteration, separation, detachment or third party interpretation.

DELLAVALLE™
LABORATORY INC

E & R Prins/Prins Heifer
9863 S Van Allen
Stockton, CA 95215

Account# 00-0026174
Account Manager: Scott Sakamoto
Submitted By: Jeanette Sawyer

Received: 08/31/2023 15:45
Reported: 09/07/2023 14:57

Sample Results
(Continued)

Sample: IW Cody's
23H2493-08 (Water)

Sampled: 8/31/2023 6:30
Sampled By:

Analyte	Result	Units	Reporting Limit	DIL	DW MCL	Date/Time Analyzed	Method	Notes	Batch
Electrical Conductivity	**0.45**	mmhos/cm	0.01	1		09/01/23 10:59	SM 2510 B		BEI0003
Electrical Conductivity umhos	**453**	umhos/cm	10.0	1		09/01/23 10:59	SM 2510 B		BEI0003
Nitrate Nitrogen as NO3N	**4.1**	mg/L	0.1	1	10	09/01/23 20:53	EPA 300.0		BEI0012
pH	**7.7**	units	1.0	1		09/01/23 10:59	SM 4500-H+	H	BEI0003
Total Filterable Solids (TDS)	**290**	mg/L	10.0	1		09/05/23 14:53	SM 2540 C		BEI0010
Temperature	**25.0**	°C	0.0	1		09/01/23 10:59	SM 2510 B		BEI0003
Kjeldahl Nitrogen (TKN), Total	ND	mg/L	1.00	1		09/07/23 09:00	SM 4500-NH3 C		BEI0083
Total Nitrogen	**4.25**	mg/L	1.00	1		09/07/23 09:00	SM 4500-NH3 C		BEI0083

The results in this report apply to the samples as received and were analyzed in accordance with the chain of custody document. This analytical report must be reproduced in its entirety. All results listed in this report are for the exclusive use of the submitting party. Dellavalle Laboratory, Inc. assumes no responsibility for report alteration, separation, detachment or third party interpretation.

DELLAVALLE™ LABORATORY INC

E & R Prins/Prins Heifer
9863 S Van Allen
Stockton, CA 95215

Account# 00-0026174
Account Manager: Scott Sakamoto
Submitted By: Jeanette Sawyer

Received: 08/31/2023 15:45
Reported: 09/07/2023 14:57

Sample Results
(Continued)

Sample: IW Creek
23H2493-09 (Water)

Sampled: 8/31/2023 6:30
Sampled By:

Analyte	Result	Units	Reporting Limit	DIL	DW MCL	Date/Time Analyzed	Method	Notes	Batch
Electrical Conductivity	**0.08**	mmhos/cm	0.01	1		09/01/23 11:00	SM 2510 B		BEI0003
Electrical Conductivity umhos	**77.5**	umhos/cm	10.0	1		09/01/23 11:00	SM 2510 B		BEI0003
Nitrate Nitrogen as NO3N	**0.1**	mg/L	0.1	1	10	09/01/23 21:12	EPA 300.0		BEI0012
pH	**7.3**	units	1.0	1		09/01/23 11:00	SM 4500-H+	H	BEI0003
Total Filterable Solids (TDS)	**74.0**	mg/L	10.0	1		09/05/23 14:53	SM 2540 C		BEI0010
Temperature	**25.0**	°C	0.0	1		09/01/23 11:00	SM 2510 B		BEI0003
Kjeldahl Nitrogen (TKN), Total	ND	mg/L	1.00	1		09/07/23 09:10	SM 4500-NH3 C		BEI0083
Total Nitrogen	ND	mg/L	1.00	1		09/07/23 09:10	SM 4500-NH3 C		BEI0083

The results in this report apply to the samples as received and were analyzed in accordance with the chain of custody document. This analytical report must be reproduced in its entirety. All results listed in this report are for the exclusive use of the submitting party. Dellavalle Laboratory, Inc. assumes no responsibility for report alteration, separation, detachment or third party interpretation.

08/31/23 15:45 23H2493

DELLAVALLE LABORATORY, INC.

1910 W. McKinley Avenue, Suite 110 • Fresno, CA 93728
www.dellavallelab.com 559 233-6129 · 800 228-9896 · Fax 559 268-8174

JG

Purchase Order No | Bill To: 261740 | Acct # | Cons # 13

No. Samples: 9 No of Bottles: 18

Results Need By

Water Type: [ ] Drinking Water [ ] Wastewater [ ] Ag Water [ ] Groundwater [ ] Monitoring Well

Name: E&R Prins

Address: 9863 S. Van Allen

City: Stockton State: CA Zip: 95215

Telephone: 209 838-1627 Fax:

Cell/Email:

COPY TO: F&R Ag Services
& JSawyer@Fragservices.com

REQUESTED BY: Jeanette Sawyer

PROJECT:

CROP:

Other:

Analysis and Bottles Required: (*Please indicate Analysis*)

DCW1 + TN

[ ] Co. Health Dept

[ ] RWQCB [ ] Copy of Chain

[ ] State Forms [ ] QA/QC Documents

Sampled By:

	Description of Samples	Date Sampled	Time Sampled	Rec'd Temp °C	Field EC
1	IW 1	8/31/23	Start 6:30AM	0.3	
2	2			4.4	
3	3			-0.3	
4	4			-1.7	
5	5 Morris			-1.7	
6	Carter North			-0.3	
7	Carter South			1.1	
8	Cody's			-1.9	
9	Creek			-2.3	
10					

IR Thermometer SN: 200560723
Correction Factor: 0°C
Calibration Due: 9/26/2023
Location: Laboratory

CHAIN OF CUSTODY

Carrier	Signature	Company	Received (Date/Time)	Relinquished (Date/Time)
First	Jeanette Sawyer	F&R Ag Services		
Second	JLF	DLV	8-31-23 1:18	8-31-23 3:42
Third				
Fourth		DVI	8/31 15:45	

I guarantee that as the client, or on behalf of client named, I have the authority to contract the above requested services. Should it be found that I do not have such authority, I agree to be personally liable for all costs and, if there should be action against me for this breach, reasonable attorneys' fees. It is understood that payment is expected to be cash with samples unless terms have been previously arranged. Terms are net 30 days; overdue accounts will be charged a liquidated damage fee of 2% per month (annually 24%) or $5.00 per month whichever is greater.

If payment is not made when due and a legitimate dispute exists concerning the product or services of Dellavalle Laboratory, Inc., it will be submitted to mediation under the Rules and Procedures of Creative Alternative to Litigation, Inc. (*cal*). If the dispute is not resolved in mediation, then the dispute will be submitted to binding arbitration through *cal* under its Rules and Procedures. The parties will equally bear the costs of mediation/arbitration. If, however, the mediator declares that no legitimate dispute exists, then debtor will pay all mediation and arbitration costs, and in the event of arbitration, reasonable attorneys' fees of Dellavalle Laboratory.

Invoicing Information:

Sampling hrs
Miles
Consulting

Shipping

$ In
$ Out

Amt Paid	Rec By	Check #	Date

Signature

Sample received in cooler with ice (coolant)

[ ] Yes [ ] No

2023 Annual Report E.R. Prins Dairy #2

Final Audit Report 2024-06-13

Created:	2024-06-10
By:	Vince Furtado (vfurtado@fragservices.com)
Status:	Signed
Transaction ID:	CBJCHBCAABAACTVjlOBbREx_O8KJLOMX1TFSkeVVv2HT

"2023 Annual Report E.R. Prins Dairy #2" History

Document created by Vince Furtado (vfurtado@fragservices.com)
2024-06-10 - 4:28:46 PM GMT

Document emailed to prinscows@aol.com for signature
2024-06-10 - 4:30:25 PM GMT

Email viewed by prinscows@aol.com
2024-06-10 - 5:13:21 PM GMT

Signer prinscows@aol.com entered name at signing as Ronald Prins
2024-06-13 - 7:41:32 PM GMT

Document e-signed by Ronald Prins (prinscows@aol.com)
Signature Date: 2024-06-13 - 7:41:34 PM GMT - Time Source: server

Agreement completed.
2024-06-13 - 7:41:34 PM GMT