Annual Report - General Order No. R5-2007-0035
Reporting period 01/01/2023 to 12/31/2023.

DAIRY FACILITY INFORMATION

A. NAME OF DAIRY OR BUSINESS OPERATING THE DAIRY: ROBERT GIOLETTI AND SONS DAIRY INC

Physical address of dairy:

Number and Street	City	County	Zip Code
10213 W MAIN ST	TURLOCK	Stanislaus	95380

Street and nearest cross street (if no address):

Date facility was originally placed in operation: 01/01/1942

Regional Water Quality Control Board Basin Plan designation: San Joaquin River Basin

County Assessor Parcel Number(s) for dairy facility:

X022-X041-X001-XXXX X022-X041-X006-XXXX X022-X041-X010-XXXX X022-X041-X011-XXXX X022-X041-X012-XXXX X022-X041-X013-XXXX
X022-X043-X011-XXXX

B. OPERATORS

Gioletti, Devin Robert

Operator name: Gioletti, Devin Robert
Telephone no.: (209) 667-6024 (Landline) (209) 606-7886 (Cellular)

Mailing Address Number and Street	City	State	Zip Code
118 N Blaker RD	Turlock	CA	95380

Gioletti, Justin George

Operator name: Gioletti, Justin George
Telephone no.: (209) 667-6024 (Landline) (209) 602-9110 (Cellular)

Mailing Address Number and Street	City	State	Zip Code
118 N Blaker RD	Turlock	CA	95380

This operator is responsible for paying permit fees.

Gioletti, Robert George

Operator name: Gioletti, Robert George
Telephone no.: (209) 667-6024 (Landline) (Cellular)

Mailing Address Number and Street	City	State	Zip Code
118 N Blaker RD	Turlock	CA	95380

C. OWNERS

Gioletti, Devin Robert

Legal owner name:	Gioletti, Devin Robert	Telephone no.:	(209) 667-6024	(209) 606-7886
			Landline	Cellular
118 N Blaker RD	Turlock		CA	95380
Mailing Address Number and Street	City		State	Zip Code

Gioletti, Eloise Ann

Legal owner name:	Gioletti, Eloise Ann	Telephone no.:	(209) 667-6024	
			Landline	Cellular
118 N Blaker RD	Turlock		CA	95380
Mailing Address Number and Street	City		State	Zip Code

Gioletti, Justin George

Legal owner name:	Gioletti, Justin George	Telephone no.:	(209) 667-6024	(209) 602-9110
			Landline	Cellular
118 N Blaker RD	Turlock		CA	95380
Mailing Address Number and Street	City		State	Zip Code

This owner is responsible for paying permit fees.

Gioletti, Robert George

Legal owner name:	Gioletti, Robert George	Telephone no.:	(209) 667-6024	
			Landline	Cellular
118 N Blaker RD	Turlock		CA	95380
Mailing Address Number and Street	City		State	Zip Code

AVAILABLE NUTRIENTS

A. HERD INFORMATION

	Milk Cows	Dry Cows	Bred Heifers (15-24 mo.)	Heifers (7-14 mo. to breeding)	Calves (4-6 mo.)	Calves (0-3 mo.)
Number open confinement	0	0	1,360	1,200	0	0
Number under roof	3,060	620	140	0	450	500
Maximum number	3,180	620	1,500	1,200	450	500
Average number	3,060	620	1,500	1,200	450	500
Avg live weight (lbs)	1,400	1,450	900	650		

Predominant milk cow breed: Holstein

Average milk production: 75 *pounds per cow per day*

B. MANURE GENERATED

Total manure excreted by the herd: 119,004.98 *tons per reporting period*

Total nitrogen from manure: 1,467,665.34 *lbs per reporting period*

After ammonia losses (30% loss applied): 1,027,365.74 *lbs per reporting period*

Total phosphorus from manure: 239,787.62 *lbs per reporting period*

Total potassium from manure: 596,070.33 *lbs per reporting period*

Total salt from manure: 1,583,370.00 *lbs per reporting period*

C. PROCESS WASTEWATER GENERATED

Process wastewater generated: 48,989,500 *gallons*

Total nitrogen generated: 179,044.54 *lbs*

Total phosphorus generated: 11,789.41 *lbs*

Total potassium generated: 198,687.37 *lbs*

Total salt generated: 1,695,809.56 *lbs*

	50,965,500	*gallons applied*
+	845,500	*gallons exported*
-	2,821,500	*gallons imported*
=	48,989,500	*gallons generated*

D. FRESH WATER SOURCES

Source Description	Type
IW 1 MItchell	Ground water
IW 2 Mitchell Trees	Ground water
IW 3 Bruans	Ground water
IW 4 ET Vincent	Ground water
IW 6 Cabrals	Ground water

Source Description	Type
TID Lateral 4	Surface water
TID Lateral 5 1/2	Surface water
W 5 Mitchell	Ground water

E. SUBSURFACE (TILE) DRAINAGE SOURCES

No subsurface (tile) drainage sources entered.

F. NUTRIENT IMPORTS

No dry manure nutrient imports entered.

Date	Material type / Description	Quantity	N (mg/L)	P (mg/L)	K (mg/L)	Salt (mg/L)	TDS (mg/L)
05/01/2023	Process wastewater *Robert Gioletti #2*	904,500.00 *gal*	330.00	43.40	521.00		3,980
06/22/2023	Process wastewater *Robert Gioletti #2*	405,000.00 *gal*	330.00	43.40	521.00		3,980
07/03/2023	Process wastewater *Robert Gioletti #2*	472,500.00 *gal*	1,090.00	29.50	833.00		5,060
07/13/2023	Process wastewater *Robert Gioletti #2*	513,000.00 *gal*	1,090.00	29.50	833.00		5,060
07/31/2023	Process wastewater *Robert Gioletti #2*	526,500.00 *gal*	1,090.00	29.50	833.00		5,060

Date	Material type / Description	Quantity	Reporting basis	Moisture (%)	N (%)	P (%)	K (%)	Salt (%)
06/15/2023	Solid commercial fertilizer *4-10-10*	45.00 *ton*	Dry-weight	0.1	4.000000	4.300000	8.300000	0.000000
07/16/2023	Solid commercial fertilizer *UN 32*	55.09 *ton*	Dry-weight	0.1	32.000000	0.000000	0.000000	0.000000

Material type	Total N (lbs)	Total P (lbs)	Total K (lbs)	Total salt (lbs)
Commercial fertilizer / Other	38,818.74	3,866.13	7,462.53	0.00
Dry manure	0.00	0.00	0.00	0.00
Process wastewater	17,359.39	846.49	16,203.87	107,337.81
Total imports for all materials	56,178.14	4,712.62	23,666.40	107,337.81

G. NUTRIENT EXPORTS

Date	Material type	Quantity	Reporting basis	Moisture (%)	Density (lbs/cu ft)	N (mg/kg)	P (mg/kg)	K (mg/kg)	Salt (mg/kg)	TFS (%)
05/24/2023	Corral solids	1,200.00 *ton*	Dry-weight	51.0		18,400.00	9,200.00	4,700.00		52.90
05/27/2023	Corral solids	576.00 *ton*	Dry-weight	51.0		18,400.00	9,200.00	4,700.00		52.90
09/28/2023	Corral solids	360.00 *ton*	Dry-weight	38.9		20,300.00	5,090.00	12,600.00		51.60
09/28/2023	Corral solids	3,600.00 *ton*	Dry-weight	38.9		20,300.00	5,090.00	12,600.00		51.60

Date	Material type	Quantity	Kjeldahl-N (mg/L)	Ammonium-N (mg/L)	Ammonia-N (mg/L)	Nitrate-N (mg/L)	P (mg/L)	K (mg/L)	EC (µmhos/cm)	TDS (mg/L)
10/19/2023	Process wastewater sludge	845,500.00 *gal*	930.00	89.60	0.00	0.00	7.99	10.80		2,940

Material type	Total N (lbs)	Total P (lbs)	Total K (lbs)	Total salt (lbs)
Dry manure	130,258.97	40,643.54	69,153.17	3,417,699.84
Process wastewater	6,561.80	56.38	76.20	20,743.75
Total exports for all materials	136,820.77	40,699.91	69,229.37	3,438,443.59

APPLICATION AREA

A. LIST OF LAND APPLICATION AREAS

Field name	Controlled acres	Cropable acres	Total harvests	Type of waste applied	Parcel number
7-7	35	35	2	manure	X022-X034-X002-XXXX
Airstrip	53	53	2	process wastewater	X022-X043-X010-XXXX X022-X043-X016-XXXX
Art's	36	36	2	manure	X058-X018-X002-XXXX
Browns East	36	36	2	process wastewater	X022-X041-X006-XXXX X022-X041-X007-XXXX
Cabral's	94	94	2	manure	X058-X023-X007-XXXX
Devin's	36	36	1	none	X022-X041-X004-XXXX
Diamond Hay	15	15	2	process wastewater	X022-X038-X012-XXXX
Edward's	20	20	2	manure	X058-X017-X007-XXXX
ET Vincent	34	34	2	process wastewater	X022-X041-X001-XXXX
Gomes	62	62	2	manure	X058-X008-X003-XXXX
Goodlowe's	34	34	2	process wastewater	X022-X041-X009-XXXX
Jones	65	65	1	none	X058-X009-X006-XXXX X058-X009-X007-XXXX X058-X009-X008-XXXX
Justin's	18	18	1	process wastewater	X022-X045-X043-XXXX
Lamb's	36	36	2	process wastewater	X058-X010-X009-XXXX
Mitchell Ranchette	1	1	0	none	X022-X045-X035-XXXX
Mitchell Trees	45	45	1	process wastewater	X022-X043-X017-XXXX
Pit	14	14	2	process wastewater	X022-X041-X010-XXXX
Pump	15	15	2	process wastewater	X022-X041-X012-XXXX
Rick's 50	48	48	2	process wastewater	X022-X040-X009-XXXX
RV Barn	38	38	2	process wastewater	X022-X043-X011-XXXX
Shop	11	11	1	none	X022-X041-X012-XXXX
Totals for areas that were used for application	633	633	32		
Totals for areas that were not used for application	113	113	3		
Land application area totals	746	746	35		

B. CROPS AND HARVESTS

7-7

Field name: 7-7

7-7

10/25/2022: Oats, silage-soft dough

Crop: Oats, silage-soft dough Acres planted: 35 Plant date: 10/25/2022

Harvest date	Yield	Reporting basis	Density (lbs/cu ft)	Moisture (%)	N (mg/kg)	P (mg/kg)	K (mg/kg)	Salt (mg/kg)	TFS (%)
05/20/2023	460.00 *ton*	As-is		63.6	3,640.00	530.00	3,570.00		7.20

	Yield (tons/acre)	Total N (lbs/acre)	Total P (lbs/acre)	Total K (lbs/acre)	Salt (lbs/acre)
Anticipated harvest content	18.00	180.00	28.80	149.40	0.00
Total actual harvest content	13.14	95.68	13.93	93.84	688.90

06/15/2023: Corn, silage

Crop: Corn, silage Acres planted: 35 Plant date: 06/15/2023

Harvest date	Yield	Reporting basis	Density (lbs/cu ft)	Moisture (%)	N (mg/kg)	P (mg/kg)	K (mg/kg)	Salt (mg/kg)	TFS (%)
10/17/2023	990.00 *ton*	As-is		60.8	4,140.00	440.00	3,820.00		4.80

	Yield (tons/acre)	Total N (lbs/acre)	Total P (lbs/acre)	Total K (lbs/acre)	Salt (lbs/acre)
Anticipated harvest content	30.00	240.00	45.00	198.00	0.00
Total actual harvest content	28.29	234.21	24.89	216.10	1,064.45

Airstrip

Field name: Airstrip

11/16/2022: Oats, silage-soft dough

Crop: Oats, silage-soft dough Acres planted: 53 Plant date: 11/16/2022

Harvest date	Yield	Reporting basis	Density (lbs/cu ft)	Moisture (%)	N (mg/kg)	P (mg/kg)	K (mg/kg)	Salt (mg/kg)	TFS (%)
05/12/2023	890.00 *ton*	As-is		69.6	6,410.00	1,030.00	10,900.00		8.32

	Yield (tons/acre)	Total N (lbs/acre)	Total P (lbs/acre)	Total K (lbs/acre)	Salt (lbs/acre)
Anticipated harvest content	18.00	180.00	28.80	149.40	0.00
Total actual harvest content	16.79	215.28	34.59	366.08	849.46

Airstrip

05/28/2023: Corn, silage

Crop: Corn, silage Acres planted: 53 Plant date: 05/28/2023

Harvest date	Yield	Reporting basis	Density (lbs/cu ft)	Moisture (%)	N (mg/kg)	P (mg/kg)	K (mg/kg)	Salt (mg/kg)	TFS (%)
09/16/2023	1,771.00 *ton*	As-is		59.2	5,180.00	520.00	3,720.00		5.40

	Yield (tons/acre)	Total N (lbs/acre)	Total P (lbs/acre)	Total K (lbs/acre)	Salt (lbs/acre)
Anticipated harvest content	30.00	240.00	45.00	198.00	0.00
Total actual harvest content	33.42	346.18	34.75	248.61	1,472.40

Art's

Field name: Art's

10/23/2022: Oats, silage-soft dough

Crop: Oats, silage-soft dough Acres planted: 36 Plant date: 10/23/2022

Harvest date	Yield	Reporting basis	Density (lbs/cu ft)	Moisture (%)	N (mg/kg)	P (mg/kg)	K (mg/kg)	Salt (mg/kg)	TFS (%)
04/24/2023	520.00 *ton*	As-is		72.0	6,130.00	1,200.00	11,500.00		10.80

	Yield (tons/acre)	Total N (lbs/acre)	Total P (lbs/acre)	Total K (lbs/acre)	Salt (lbs/acre)
Anticipated harvest content	18.00	180.00	28.80	149.40	0.00
Total actual harvest content	14.44	177.09	34.67	332.22	873.60

05/19/2023: Corn, silage

Crop: Corn, silage Acres planted: 36 Plant date: 05/19/2023

Harvest date	Yield	Reporting basis	Density (lbs/cu ft)	Moisture (%)	N (mg/kg)	P (mg/kg)	K (mg/kg)	Salt (mg/kg)	TFS (%)
08/31/2023	1,672.00 *ton*	As-is		68.5	3,530.00	730.00	5,760.00		6.54

	Yield (tons/acre)	Total N (lbs/acre)	Total P (lbs/acre)	Total K (lbs/acre)	Salt (lbs/acre)
Anticipated harvest content	30.00	240.00	45.00	198.00	0.00
Total actual harvest content	46.44	327.90	67.81	535.04	1,913.60

Browns East

Field name: Browns East

11/02/2022: Oats, silage-soft dough

Crop: Oats, silage-soft dough Acres planted: 36 Plant date: 11/02/2022

Harvest date	Yield	Reporting basis	Density (lbs/cu ft)	Moisture (%)	N (mg/kg)	P (mg/kg)	K (mg/kg)	Salt (mg/kg)	TFS (%)
04/27/2023	520.00 *ton*	As-is		82.0	5,370.00	670.00	6,460.00		10.90

	Yield (tons/acre)	Total N (lbs/acre)	Total P (lbs/acre)	Total K (lbs/acre)	Salt (lbs/acre)
Anticipated harvest content	18.00	180.00	28.80	149.40	0.00
Total actual harvest content	14.44	155.13	19.36	186.62	566.80

05/12/2023: Corn, silage

Crop: Corn, silage Acres planted: 36 Plant date: 05/12/2023

Harvest date	Yield	Reporting basis	Density (lbs/cu ft)	Moisture (%)	N (mg/kg)	P (mg/kg)	K (mg/kg)	Salt (mg/kg)	TFS (%)
09/05/2023	1,034.00 *ton*	As-is		60.4	4,440.00	660.00	6,290.00		6.69

	Yield (tons/acre)	Total N (lbs/acre)	Total P (lbs/acre)	Total K (lbs/acre)	Salt (lbs/acre)
Anticipated harvest content	30.00	240.00	45.00	198.00	0.00
Total actual harvest content	28.72	255.05	37.91	361.33	1,521.84

Cabral's

Field name: Cabral's

10/26/2022: Oats, silage-soft dough

Crop: Oats, silage-soft dough Acres planted: 94 Plant date: 10/26/2022

Harvest date	Yield	Reporting basis	Density (lbs/cu ft)	Moisture (%)	N (mg/kg)	P (mg/kg)	K (mg/kg)	Salt (mg/kg)	TFS (%)
05/10/2023	1,480.00 *ton*	As-is		64.2	3,790.00	610.00	4,480.00		9.43

	Yield (tons/acre)	Total N (lbs/acre)	Total P (lbs/acre)	Total K (lbs/acre)	Salt (lbs/acre)
Anticipated harvest content	18.00	180.00	28.80	149.40	0.00
Total actual harvest content	15.74	119.34	19.21	141.07	1,063.06

Cabral's

06/14/2023: Corn, silage

Crop: Corn, silage Acres planted: 94 Plant date: 06/14/2023

Harvest date	Yield	Reporting basis	Density (lbs/cu ft)	Moisture (%)	N (mg/kg)	P (mg/kg)	K (mg/kg)	Salt (mg/kg)	TFS (%)
10/11/2023	2,805.00 *ton*	As-is		64.8	4,360.00	400.00	4,170.00		6.70

	Yield (tons/acre)	Total N (lbs/acre)	Total P (lbs/acre)	Total K (lbs/acre)	Salt (lbs/acre)
Anticipated harvest content	30.00	240.00	45.00	198.00	0.00
Total actual harvest content	29.84	260.21	23.87	248.87	1,407.51

Devin's

Field name: Devin's

02/01/1996: Almond, in shell

Crop: Almond, in shell Acres planted: 36 Plant date: 02/01/1996

Harvest date	Yield	Reporting basis	Density (lbs/cu ft)	Moisture (%)	N (mg/kg)	P (mg/kg)	K (mg/kg)	Salt (mg/kg)	TFS (%)
09/22/2023	112.00 *ton*	As-is		12.3	18,200.00	1,900.00	16,200.00		10.50

	Yield (tons/acre)	Total N (lbs/acre)	Total P (lbs/acre)	Total K (lbs/acre)	Salt (lbs/acre)
Anticipated harvest content	5.00	215.00	36.50	232.50	0.00
Total actual harvest content	3.11	113.24	11.82	100.80	572.97

Diamond Hay

Field name: Diamond Hay

Diamond Hay

11/19/2022: Oats, silage-soft dough

Crop: Oats, silage-soft dough Acres planted: 15 Plant date: 11/19/2022

Harvest date	Yield	Reporting basis	Density (lbs/cu ft)	Moisture (%)	N (mg/kg)	P (mg/kg)	K (mg/kg)	Salt (mg/kg)	TFS (%)
05/18/2023	320.00 *ton*	As-is		71.7	4,470.00	960.00	10,200.00		8.58

	Yield (tons/acre)	Total N (lbs/acre)	Total P (lbs/acre)	Total K (lbs/acre)	Salt (lbs/acre)
Anticipated harvest content	18.00	180.00	28.80	149.40	0.00
Total actual harvest content	21.33	190.72	40.96	435.20	1,036.01

06/06/2023: Corn, silage

Crop: Corn, silage Acres planted: 15 Plant date: 06/06/2023

Harvest date	Yield	Reporting basis	Density (lbs/cu ft)	Moisture (%)	N (mg/kg)	P (mg/kg)	K (mg/kg)	Salt (mg/kg)	TFS (%)
09/26/2023	451.00 *ton*	As-is		65.2	4,700.00	1,050.00	7,180.00		6.66

	Yield (tons/acre)	Total N (lbs/acre)	Total P (lbs/acre)	Total K (lbs/acre)	Salt (lbs/acre)
Anticipated harvest content	30.00	240.00	45.00	198.00	0.00
Total actual harvest content	30.07	282.63	63.14	431.76	1,393.70

Edward's

Field name: Edward's

10/23/2022: Oats, silage-soft dough

Crop: Oats, silage-soft dough Acres planted: 20 Plant date: 10/23/2022

Harvest date	Yield	Reporting basis	Density (lbs/cu ft)	Moisture (%)	N (mg/kg)	P (mg/kg)	K (mg/kg)	Salt (mg/kg)	TFS (%)
04/24/2023	260.00 *ton*	As-is		70.4	7,020.00	1,270.00	12,400.00		10.10

	Yield (tons/acre)	Total N (lbs/acre)	Total P (lbs/acre)	Total K (lbs/acre)	Salt (lbs/acre)
Anticipated harvest content	18.00	180.00	28.80	149.40	0.00
Total actual harvest content	13.00	182.52	33.02	322.40	777.30

Edward's

05/19/2023: Corn, silage

Crop: Corn, silage Acres planted: 20 Plant date: 05/19/2023

Harvest date	Yield	Reporting basis	Density (lbs/cu ft)	Moisture (%)	N (mg/kg)	P (mg/kg)	K (mg/kg)	Salt (mg/kg)	TFS (%)
09/02/2023	649.00 *ton*	As-is		68.8	3,870.00	680.00	4,950.00		6.00

	Yield (tons/acre)	Total N (lbs/acre)	Total P (lbs/acre)	Total K (lbs/acre)	Salt (lbs/acre)
Anticipated harvest content	30.00	240.00	45.00	198.00	0.00
Total actual harvest content	32.45	251.16	44.13	321.26	1,214.93

ET Vincent

Field name: ET Vincent

11/18/2022: Oats, silage-soft dough

Crop: Oats, silage-soft dough Acres planted: 34 Plant date: 11/18/2022

Harvest date	Yield	Reporting basis	Density (lbs/cu ft)	Moisture (%)	N (mg/kg)	P (mg/kg)	K (mg/kg)	Salt (mg/kg)	TFS (%)
05/16/2023	640.00 *ton*	As-is		69.6	3,770.00	750.00	6,710.00		10.00

	Yield (tons/acre)	Total N (lbs/acre)	Total P (lbs/acre)	Total K (lbs/acre)	Salt (lbs/acre)
Anticipated harvest content	18.00	180.00	28.80	149.40	0.00
Total actual harvest content	18.82	141.93	28.24	252.61	1,144.47

06/05/2023: Corn, silage

Crop: Corn, silage Acres planted: 34 Plant date: 06/05/2023

Harvest date	Yield	Reporting basis	Density (lbs/cu ft)	Moisture (%)	N (mg/kg)	P (mg/kg)	K (mg/kg)	Salt (mg/kg)	TFS (%)
09/25/2023	1,078.00 *ton*	As-is		66.2	5,240.00	890.00	5,860.00		6.20

	Yield (tons/acre)	Total N (lbs/acre)	Total P (lbs/acre)	Total K (lbs/acre)	Salt (lbs/acre)
Anticipated harvest content	30.00	240.00	45.00	198.00	0.00
Total actual harvest content	31.71	332.28	56.44	371.59	1,328.86

Gomes

Field name: Gomes

11/19/2022: Oats, silage-soft dough

Crop: Oats, silage-soft dough Acres planted: 62 Plant date: 11/19/2022

Harvest date	Yield	Reporting basis	Density (lbs/cu ft)	Moisture (%)	N (mg/kg)	P (mg/kg)	K (mg/kg)	Salt (mg/kg)	TFS (%)
05/18/2023	900.00 *ton*	As-is		70.0	5,190.00	1,350.00	12,000.00		7.49

	Yield (tons/acre)	Total N (lbs/acre)	Total P (lbs/acre)	Total K (lbs/acre)	Salt (lbs/acre)
Anticipated harvest content	18.00	180.00	28.80	149.40	0.00
Total actual harvest content	14.52	150.68	39.19	348.39	652.35

06/07/2023: Corn, silage

Crop: Corn, silage Acres planted: 62 Plant date: 06/07/2023

Harvest date	Yield	Reporting basis	Density (lbs/cu ft)	Moisture (%)	N (mg/kg)	P (mg/kg)	K (mg/kg)	Salt (mg/kg)	TFS (%)
10/04/2023	1,848.00 *ton*	As-is		65.8	3,630.00	750.00	4,380.00		7.20

	Yield (tons/acre)	Total N (lbs/acre)	Total P (lbs/acre)	Total K (lbs/acre)	Salt (lbs/acre)
Anticipated harvest content	30.00	240.00	45.00	198.00	0.00
Total actual harvest content	29.81	216.39	44.71	261.10	1,467.91

Goodlowe's

Field name: Goodlowe's

11/18/2022: Oats, silage-soft dough

Crop: Oats, silage-soft dough Acres planted: 34 Plant date: 11/18/2022

Harvest date	Yield	Reporting basis	Density (lbs/cu ft)	Moisture (%)	N (mg/kg)	P (mg/kg)	K (mg/kg)	Salt (mg/kg)	TFS (%)
05/18/2023	760.00 *ton*	As-is		72.7	4,150.00	1,200.00	13,700.00		8.87

	Yield (tons/acre)	Total N (lbs/acre)	Total P (lbs/acre)	Total K (lbs/acre)	Salt (lbs/acre)
Anticipated harvest content	18.00	180.00	28.80	149.40	0.00
Total actual harvest content	22.35	185.53	53.65	612.47	1,082.56

Goodlowe's

06/03/2023: Corn, silage

Crop: Corn, silage Acres planted: 34 Plant date: 06/03/2023

Harvest date	Yield	Reporting basis	Density (lbs/cu ft)	Moisture (%)	N (mg/kg)	P (mg/kg)	K (mg/kg)	Salt (mg/kg)	TFS (%)
09/26/2023	1,034.00 *ton*	As-is		64.4	4,410.00	920.00	7,260.00		5.88

	Yield (tons/acre)	Total N (lbs/acre)	Total P (lbs/acre)	Total K (lbs/acre)	Salt (lbs/acre)
Anticipated harvest content	30.00	240.00	45.00	198.00	0.00
Total actual harvest content	30.41	268.23	55.96	441.58	1,273.21

Jones

Field name: Jones

05/14/2018: Almond, in shell

Crop: Almond, in shell Acres planted: 65 Plant date: 05/14/2018

Harvest date	Yield	Reporting basis	Density (lbs/cu ft)	Moisture (%)	N (mg/kg)	P (mg/kg)	K (mg/kg)	Salt (mg/kg)	TFS (%)
09/27/2023	234.00 *ton*	As-is		12.3	18,900.00	1,830.00	18,000.00		10.30

	Yield (tons/acre)	Total N (lbs/acre)	Total P (lbs/acre)	Total K (lbs/acre)	Salt (lbs/acre)
Anticipated harvest content	5.00	215.00	36.50	232.50	0.00
Total actual harvest content	3.60	136.08	13.18	129.60	650.38

Justin's

Field name: Justin's

Justin's

11/08/2021: Alfalfa, hay

Crop: Alfalfa, hay Acres planted: 18 Plant date: 11/08/2021

Harvest date	Yield	Reporting basis	Density (lbs/cu ft)	Moisture (%)	N (mg/kg)	P (mg/kg)	K (mg/kg)	Salt (mg/kg)	TFS (%)
10/25/2023	139.75 *ton*	As-is		12.4	27,100.00	2,400.00	15,500.00		10.70

	Yield (tons/acre)	Total N (lbs/acre)	Total P (lbs/acre)	Total K (lbs/acre)	Salt (lbs/acre)
Anticipated harvest content	7.00	420.00	37.80	294.00	0.00
Total actual harvest content	7.76	420.80	37.27	240.68	1,455.45

Lamb's

Field name: Lamb's

11/15/2022: Oats, silage-soft dough

Crop: Oats, silage-soft dough Acres planted: 36 Plant date: 11/15/2022

Harvest date	Yield	Reporting basis	Density (lbs/cu ft)	Moisture (%)	N (mg/kg)	P (mg/kg)	K (mg/kg)	Salt (mg/kg)	TFS (%)
05/11/2023	620.00 *ton*	As-is		73.8	5,140.00	1,340.00	13,100.00		10.80

	Yield (tons/acre)	Total N (lbs/acre)	Total P (lbs/acre)	Total K (lbs/acre)	Salt (lbs/acre)
Anticipated harvest content	18.00	180.00	28.80	149.40	0.00
Total actual harvest content	17.22	177.04	46.16	451.22	974.64

05/29/2023: Corn, silage

Crop: Corn, silage Acres planted: 36 Plant date: 05/29/2023

Harvest date	Yield	Reporting basis	Density (lbs/cu ft)	Moisture (%)	N (mg/kg)	P (mg/kg)	K (mg/kg)	Salt (mg/kg)	TFS (%)
09/11/2023	1,177.00 *ton*	As-is		72.4	4,470.00	780.00	7,950.00		7.68

	Yield (tons/acre)	Total N (lbs/acre)	Total P (lbs/acre)	Total K (lbs/acre)	Salt (lbs/acre)
Anticipated harvest content	30.00	240.00	45.00	198.00	0.00
Total actual harvest content	32.69	292.29	51.00	519.84	1,386.04

Mitchell Trees

Field name: Mitchell Trees

02/01/2001: Almond, in shell

Crop: Almond, in shell Acres planted: 45 Plant date: 02/01/2001

Harvest date	Yield	Reporting basis	Density (lbs/cu ft)	Moisture (%)	N (mg/kg)	P (mg/kg)	K (mg/kg)	Salt (mg/kg)	TFS (%)
09/19/2023	198.00 *ton*	As-is		12.3	18,900.00	1,830.00	18,000.00		10.30

	Yield (tons/acre)	Total N (lbs/acre)	Total P (lbs/acre)	Total K (lbs/acre)	Salt (lbs/acre)
Anticipated harvest content	5.00	215.00	36.50	232.50	0.00
Total actual harvest content	4.40	166.32	16.10	158.40	794.91

Pit

Field name: Pit

11/18/2022: Oats, silage-soft dough

Crop: Oats, silage-soft dough Acres planted: 14 Plant date: 11/18/2022

Harvest date	Yield	Reporting basis	Density (lbs/cu ft)	Moisture (%)	N (mg/kg)	P (mg/kg)	K (mg/kg)	Salt (mg/kg)	TFS (%)
05/16/2023	300.00 *ton*	As-is		73.0	3,620.00	760.00	6,370.00		11.40

	Yield (tons/acre)	Total N (lbs/acre)	Total P (lbs/acre)	Total K (lbs/acre)	Salt (lbs/acre)
Anticipated harvest content	18.00	180.00	28.80	149.40	0.00
Total actual harvest content	21.43	155.14	32.57	273.00	1,319.14

06/04/2023: Corn, silage

Crop: Corn, silage Acres planted: 14 Plant date: 06/04/2023

Harvest date	Yield	Reporting basis	Density (lbs/cu ft)	Moisture (%)	N (mg/kg)	P (mg/kg)	K (mg/kg)	Salt (mg/kg)	TFS (%)
09/23/2023	407.00 *ton*	As-is		63.6	5,170.00	610.00	4,930.00		5.70

	Yield (tons/acre)	Total N (lbs/acre)	Total P (lbs/acre)	Total K (lbs/acre)	Salt (lbs/acre)
Anticipated harvest content	30.00	240.00	45.00	198.00	0.00
Total actual harvest content	29.07	300.60	35.47	286.64	1,206.35

Pump

Field name: Pump

11/17/2022: Oats, silage-soft dough

Crop: Oats, silage-soft dough Acres planted: 15 Plant date: 11/17/2022

Harvest date	Yield	Reporting basis	Density (lbs/cu ft)	Moisture (%)	N (mg/kg)	P (mg/kg)	K (mg/kg)	Salt (mg/kg)	TFS (%)
05/15/2023	300.00 *ton*	As-is		63.5	6,940.00	1,190.00	9,370.00		9.77

	Yield (tons/acre)	Total N (lbs/acre)	Total P (lbs/acre)	Total K (lbs/acre)	Salt (lbs/acre)
Anticipated harvest content	18.00	180.00	28.80	149.40	0.00
Total actual harvest content	20.00	277.60	47.60	374.80	1,426.42

06/06/2023: Corn, silage

Crop: Corn, silage Acres planted: 15 Plant date: 06/06/2023

Harvest date	Yield	Reporting basis	Density (lbs/cu ft)	Moisture (%)	N (mg/kg)	P (mg/kg)	K (mg/kg)	Salt (mg/kg)	TFS (%)
09/23/2023	561.00 *ton*	As-is		57.2	5,350.00	990.00	8,370.00		6.40

	Yield (tons/acre)	Total N (lbs/acre)	Total P (lbs/acre)	Total K (lbs/acre)	Salt (lbs/acre)
Anticipated harvest content	30.00	240.00	45.00	198.00	0.00
Total actual harvest content	37.40	400.18	74.05	626.08	2,048.92

Rick's 50

Field name: Rick's 50

10/21/2022: Oats, silage-soft dough

Crop: Oats, silage-soft dough Acres planted: 48 Plant date: 10/21/2022

Harvest date	Yield	Reporting basis	Density (lbs/cu ft)	Moisture (%)	N (mg/kg)	P (mg/kg)	K (mg/kg)	Salt (mg/kg)	TFS (%)
04/26/2023	790.00 *ton*	As-is		73.0	4,550.00	1,020.00	7,200.00		10.60

	Yield (tons/acre)	Total N (lbs/acre)	Total P (lbs/acre)	Total K (lbs/acre)	Salt (lbs/acre)
Anticipated harvest content	18.00	180.00	28.80	149.40	0.00
Total actual harvest content	16.46	149.77	33.58	237.00	942.08

Rick's 50

05/11/2023: Corn, silage

Crop: Corn, silage Acres planted: 48 Plant date: 05/11/2023

Harvest date	Yield	Reporting basis	Density (lbs/cu ft)	Moisture (%)	N (mg/kg)	P (mg/kg)	K (mg/kg)	Salt (mg/kg)	TFS (%)
09/04/2023	1,573.00 *ton*	As-is		61.3	4,760.00	750.00	5,830.00		6.89

	Yield (tons/acre)	Total N (lbs/acre)	Total P (lbs/acre)	Total K (lbs/acre)	Salt (lbs/acre)
Anticipated harvest content	30.00	240.00	45.00	198.00	0.00
Total actual harvest content	32.77	311.98	49.16	382.11	1,747.62

RV Barn

Field name: RV Barn

11/15/2022: Oats, silage-soft dough

Crop: Oats, silage-soft dough Acres planted: 38 Plant date: 11/15/2022

Harvest date	Yield	Reporting basis	Density (lbs/cu ft)	Moisture (%)	N (mg/kg)	P (mg/kg)	K (mg/kg)	Salt (mg/kg)	TFS (%)
05/12/2023	660.00 *ton*	As-is		72.4	5,520.00	1,270.00	12,700.00		9.92

	Yield (tons/acre)	Total N (lbs/acre)	Total P (lbs/acre)	Total K (lbs/acre)	Salt (lbs/acre)
Anticipated harvest content	18.00	180.00	28.80	149.40	0.00
Total actual harvest content	17.37	191.75	44.12	441.16	951.07

05/27/2023: Corn, silage

Crop: Corn, silage Acres planted: 38 Plant date: 05/27/2023

Harvest date	Yield	Reporting basis	Density (lbs/cu ft)	Moisture (%)	N (mg/kg)	P (mg/kg)	K (mg/kg)	Salt (mg/kg)	TFS (%)
09/12/2023	1,232.00 *ton*	As-is		72.8	4,700.00	1,000.00	6,900.00		10.60

	Yield (tons/acre)	Total N (lbs/acre)	Total P (lbs/acre)	Total K (lbs/acre)	Salt (lbs/acre)
Anticipated harvest content	30.00	240.00	45.00	198.00	0.00
Total actual harvest content	32.42	304.76	64.84	447.41	1,869.53

Shop

Field name: Shop

02/01/1995: Almond, in shell

Crop: Almond, in shell Acres planted: 11 Plant date: 02/01/1995

Harvest date	Yield	Reporting basis	Density (lbs/cu ft)	Moisture (%)	N (mg/kg)	P (mg/kg)	K (mg/kg)	Salt (mg/kg)	TFS (%)
09/22/2023	35.00 *ton*	As-is		12.3	18,200.00	1,900.00	16,200.00		10.50

	Yield (tons/acre)	Total N (lbs/acre)	Total P (lbs/acre)	Total K (lbs/acre)	Salt (lbs/acre)
Anticipated harvest content	5.00	215.00	36.50	232.50	0.00
Total actual harvest content	3.18	115.82	12.09	103.09	586.00

NUTRIENT BUDGET

A. LAND APPLICATIONS

7-7 - 10/25/2022: Oats, silage-soft dough

Field name: 7-7

Crop: Oats, silage-soft dough — Plant date: 10/25/2022

Application date	Application method	Precipitation 24 hours prior	Precipitation during application	Precipitation 24 hours following
10/12/2022	Surface (irrigation)	No precipitation	No precipitation	No precipitation

Source description	Material type	N (lbs/acre)	P (lbs/acre)	K (lbs/acre)	Salt (lbs/acre)	Amount
TID Lateral 4	Surface water	0.00	0.00	0.00	0.00	6,075,000.00 *gal*
Application event totals		0.00	0.00	0.00	0.00	

Application date	Application method	Precipitation 24 hours prior	Precipitation during application	Precipitation 24 hours following
04/11/2023	Surface (irrigation)	No precipitation	No precipitation	No precipitation

Source description	Material type	N (lbs/acre)	P (lbs/acre)	K (lbs/acre)	Salt (lbs/acre)	Amount
TID Lateral 4	Surface water	0.00	0.00	0.00	20.71	3,341,250.00 *gal*
Application event totals		0.00	0.00	0.00	20.71	

Application date	Application method	Precipitation 24 hours prior	Precipitation during application	Precipitation 24 hours following
04/25/2023	Surface (irrigation)	No precipitation	No precipitation	No precipitation

Source description	Material type	N (lbs/acre)	P (lbs/acre)	K (lbs/acre)	Salt (lbs/acre)	Amount
TID Lateral 4	Surface water	0.00	0.00	0.00	20.09	3,240,000.00 *gal*
Application event totals		0.00	0.00	0.00	20.09	

Application date	Application method	Precipitation 24 hours prior	Precipitation during application	Precipitation 24 hours following
10/07/2023	Broadcast/incorporate	No precipitation	No precipitation	No precipitation

Source description	Material type	N (lbs/acre)	P (lbs/acre)	K (lbs/acre)	Salt (lbs/acre)	Amount
Settling Basin	Separator solids	128.29	47.56	27.30	1,155.01	260.00 *ton*
Application event totals		128.29	47.56	27.30	1,155.01	

7-7 - 06/15/2023: Corn, silage

Field name: 7-7

Crop: Corn, silage — Plant date: 06/15/2023

Application date	Application method	Precipitation 24 hours prior	Precipitation during application	Precipitation 24 hours following

7-7 - 06/15/2023: Corn, silage

Application date	Application method	Precipitation 24 hours prior	Precipitation during application	Precipitation 24 hours following
05/22/2023	Broadcast/incorporate	No precipitation	No precipitation	No precipitation

Source description	Material type	N (lbs/acre)	P (lbs/acre)	K (lbs/acre)	Salt (lbs/acre)	Amount
Settling Basin	Separator solids	222.74	57.76	32.30	2,672.85	610.00 *ton*
Application event totals		222.74	57.76	32.30	2,672.85	

Application date	Application method	Precipitation 24 hours prior	Precipitation during application	Precipitation 24 hours following
06/05/2023	Surface (irrigation)	No precipitation	No precipitation	No precipitation

Source description	Material type	N (lbs/acre)	P (lbs/acre)	K (lbs/acre)	Salt (lbs/acre)	Amount
TID Lateral 4	Surface water	0.00	0.00	0.00	40.17	6,480,000.00 *gal*
Application event totals		0.00	0.00	0.00	40.17	

Application date	Application method	Precipitation 24 hours prior	Precipitation during application	Precipitation 24 hours following
06/15/2023	Sidedress	No precipitation	No precipitation	No precipitation

Source description	Material type	N (lbs/acre)	P (lbs/acre)	K (lbs/acre)	Salt (lbs/acre)	Amount
4-10-10	Solid commercial fertilizer	14.64	15.74	30.38	0.00	
Application event totals		14.64	15.74	30.38	0.00	

Application date	Application method	Precipitation 24 hours prior	Precipitation during application	Precipitation 24 hours following
07/18/2023	Surface (irrigation)	No precipitation	No precipitation	No precipitation

Source description	Material type	N (lbs/acre)	P (lbs/acre)	K (lbs/acre)	Salt (lbs/acre)	Amount
TID Lateral 4	Surface water	0.00	0.00	0.00	27.62	4,455,000.00 *gal*
Application event totals		0.00	0.00	0.00	27.62	

Application date	Application method	Precipitation 24 hours prior	Precipitation during application	Precipitation 24 hours following
07/16/2023	Sidedress	No precipitation	No precipitation	No precipitation

Source description	Material type	N (lbs/acre)	P (lbs/acre)	K (lbs/acre)	Salt (lbs/acre)	Amount
UN 32	Solid commercial fertilizer	80.00	0.00	0.00	0.00	
Application event totals		80.00	0.00	0.00	0.00	

Application date	Application method	Precipitation 24 hours prior	Precipitation during application	Precipitation 24 hours following
07/30/2023	Surface (irrigation)	No precipitation	No precipitation	No precipitation

Source description	Material type	N (lbs/acre)	P (lbs/acre)	K (lbs/acre)	Salt (lbs/acre)	Amount
TID Lateral 4	Surface water	0.00	0.00	0.00	20.09	3,240,000.00 *gal*
Application event totals		0.00	0.00	0.00	20.09	

7-7 - 06/15/2023: Corn, silage

Application date	Application method	Precipitation 24 hours prior	Precipitation during application	Precipitation 24 hours following
08/10/2023	Surface (irrigation)	No precipitation	No precipitation	No precipitation

Source description	Material type	N (lbs/acre)	P (lbs/acre)	K (lbs/acre)	Salt (lbs/acre)	Amount
TID Lateral 4	Surface water	0.00	0.00	0.00	21.34	3,442,500.00 *gal*
Application event totals		0.00	0.00	0.00	21.34	

Application date	Application method	Precipitation 24 hours prior	Precipitation during application	Precipitation 24 hours following
08/19/2023	Surface (irrigation)	No precipitation	No precipitation	No precipitation

Source description	Material type	N (lbs/acre)	P (lbs/acre)	K (lbs/acre)	Salt (lbs/acre)	Amount
TID Lateral 4	Surface water	0.00	0.00	0.00	21.34	3,442,500.00 *gal*
Application event totals		0.00	0.00	0.00	21.34	

Application date	Application method	Precipitation 24 hours prior	Precipitation during application	Precipitation 24 hours following
08/28/2023	Surface (irrigation)	No precipitation	No precipitation	No precipitation

Source description	Material type	N (lbs/acre)	P (lbs/acre)	K (lbs/acre)	Salt (lbs/acre)	Amount
TID Lateral 4	Surface water	0.00	0.00	0.00	20.09	3,240,000.00 *gal*
Application event totals		0.00	0.00	0.00	20.09	

Application date	Application method	Precipitation 24 hours prior	Precipitation during application	Precipitation 24 hours following
09/07/2023	Surface (irrigation)	No precipitation	No precipitation	No precipitation

Source description	Material type	N (lbs/acre)	P (lbs/acre)	K (lbs/acre)	Salt (lbs/acre)	Amount
TID Lateral 4	Surface water	0.00	0.00	0.00	18.83	3,037,500.00 *gal*
Application event totals		0.00	0.00	0.00	18.83	

Application date	Application method	Precipitation 24 hours prior	Precipitation during application	Precipitation 24 hours following
09/20/2023	Surface (irrigation)	No precipitation	No precipitation	No precipitation

Source description	Material type	N (lbs/acre)	P (lbs/acre)	K (lbs/acre)	Salt (lbs/acre)	Amount
TID Lateral 4	Surface water	0.00	0.00	0.00	18.83	3,037,500.00 *gal*
Application event totals		0.00	0.00	0.00	18.83	

Airstrip - 11/16/2022: Oats, silage-soft dough

Field name: Airstrip

Crop: Oats, silage-soft dough

Plant date: 11/16/2022

Application date	Application method	Precipitation 24 hours prior	Precipitation during application	Precipitation 24 hours following

Airstrip - 11/16/2022: Oats, silage-soft dough

Application date	Application method	Precipitation 24 hours prior	Precipitation during application	Precipitation 24 hours following
04/11/2023	Surface (irrigation)	No precipitation	No precipitation	No precipitation

Source description	Material type	N (lbs/acre)	P (lbs/acre)	K (lbs/acre)	Salt (lbs/acre)	Amount
WWS	Process wastewater	106.11	10.57	136.04	1,052.04	1,152,000.00 *gal*
TID Lateral 4	Surface water	0.00	0.00	0.00	39.79	9,720,000.00 *gal*
Application event totals		106.11	10.57	136.04	1,091.83	

04/25/2023	Surface (irrigation)	No precipitation	No precipitation	No precipitation

Source description	Material type	N (lbs/acre)	P (lbs/acre)	K (lbs/acre)	Salt (lbs/acre)	Amount
WWS	Process wastewater	106.11	10.57	136.04	1,052.04	1,152,000.00 *gal*
TID Lateral 4	Surface water	0.00	0.00	0.00	39.79	9,720,000.00 *gal*
Application event totals		106.11	10.57	136.04	1,091.83	

Airstrip - 05/28/2023: Corn, silage

Field name: Airstrip

Crop: Corn, silage

Plant date: 05/28/2023

Application date	Application method	Precipitation 24 hours prior	Precipitation during application	Precipitation 24 hours following
05/18/2023	Surface (irrigation)	No precipitation	No precipitation	No precipitation

Source description	Material type	N (lbs/acre)	P (lbs/acre)	K (lbs/acre)	Salt (lbs/acre)	Amount
TID Lateral 4	Surface water	0.00	0.00	0.00	29.84	7,290,000.00 *gal*
Application event totals		0.00	0.00	0.00	29.84	

06/22/2023	Surface (irrigation)	No precipitation	No precipitation	No precipitation

Source description	Material type	N (lbs/acre)	P (lbs/acre)	K (lbs/acre)	Salt (lbs/acre)	Amount
TID Lateral 4	Surface water	0.00	0.00	0.00	36.48	8,910,000.00 *gal*
Application event totals		0.00	0.00	0.00	36.48	

Airstrip - 05/28/2023: Corn, silage

Application date	Application method	Precipitation 24 hours prior	Precipitation during application	Precipitation 24 hours following
06/30/2023	Surface (irrigation)	No precipitation	No precipitation	No precipitation

Source description	Material type	N (lbs/acre)	P (lbs/acre)	K (lbs/acre)	Salt (lbs/acre)	Amount
WWS	Process wastewater	66.32	6.61	85.02	657.52	720,000.00 *gal*
TID Lateral 4	Surface water	0.00	0.00	0.00	24.87	6,075,000.00 *gal*
Application event totals		66.32	6.61	85.02	682.39	

07/10/2023	Surface (irrigation)	No precipitation	No precipitation	No precipitation

Source description	Material type	N (lbs/acre)	P (lbs/acre)	K (lbs/acre)	Salt (lbs/acre)	Amount
WWS	Process wastewater	45.89	2.42	50.52	441.75	840,000.00 *gal*
TID Lateral 4	Surface water	0.00	0.00	0.00	28.98	7,078,500.00 *gal*
Application event totals		45.89	2.42	50.52	470.73	

07/17/2023	Surface (irrigation)	No precipitation	No precipitation	No precipitation

Source description	Material type	N (lbs/acre)	P (lbs/acre)	K (lbs/acre)	Salt (lbs/acre)	Amount
WWS	Process wastewater	39.34	2.07	43.31	378.64	720,000.00 *gal*
TID Lateral 4	Surface water	0.00	0.00	0.00	24.87	6,075,000.00 *gal*
Application event totals		39.34	2.07	43.31	403.51	

07/23/2023	Surface (irrigation)	No precipitation	No precipitation	No precipitation

Source description	Material type	N (lbs/acre)	P (lbs/acre)	K (lbs/acre)	Salt (lbs/acre)	Amount
WWS	Process wastewater	40.65	2.14	44.75	391.26	744,000.00 *gal*
TID Lateral 4	Surface water	0.00	0.00	0.00	25.70	6,277,500.00 *gal*
Application event totals		40.65	2.14	44.75	416.96	

07/30/2023	Surface (irrigation)	No precipitation	No precipitation	No precipitation

Source description	Material type	N (lbs/acre)	P (lbs/acre)	K (lbs/acre)	Salt (lbs/acre)	Amount
WWS	Process wastewater	39.34	2.07	43.31	378.64	720,000.00 *gal*
TID Lateral 4	Surface water	0.00	0.00	0.00	24.87	6,075,000.00 *gal*
Application event totals		39.34	2.07	43.31	403.51	

Airstrip - 05/28/2023: Corn, silage

Application date	Application method	Precipitation 24 hours prior	Precipitation during application	Precipitation 24 hours following
08/08/2023	Surface (irrigation)	No precipitation	No precipitation	No precipitation

Source description	Material type	N (lbs/acre)	P (lbs/acre)	K (lbs/acre)	Salt (lbs/acre)	Amount
WWS	Process wastewater	43.27	2.28	47.64	416.51	792,000.00 *gal*
TID Lateral 4	Surface water	0.00	0.00	0.00	27.36	6,682,500.00 *gal*
Application event totals		43.27	2.28	47.64	443.86	

Application date	Application method	Precipitation 24 hours prior	Precipitation during application	Precipitation 24 hours following
08/15/2023	Surface (irrigation)	No precipitation	No precipitation	No precipitation

Source description	Material type	N (lbs/acre)	P (lbs/acre)	K (lbs/acre)	Salt (lbs/acre)	Amount
WWS	Process wastewater	28.85	1.52	31.76	277.67	528,000.00 *gal*
TID Lateral 4	Surface water	0.00	0.00	0.00	18.24	4,455,000.00 *gal*
Application event totals		28.85	1.52	31.76	295.91	

Application date	Application method	Precipitation 24 hours prior	Precipitation during application	Precipitation 24 hours following
08/23/2023	Surface (irrigation)	No precipitation	No precipitation	No precipitation

Source description	Material type	N (lbs/acre)	P (lbs/acre)	K (lbs/acre)	Salt (lbs/acre)	Amount
WWS	Process wastewater	39.34	2.07	43.31	378.64	720,000.00 *gal*
TID Lateral 4	Surface water	0.00	0.00	0.00	24.87	6,075,000.00 *gal*
Application event totals		39.34	2.07	43.31	403.51	

Application date	Application method	Precipitation 24 hours prior	Precipitation during application	Precipitation 24 hours following
08/31/2023	Surface (irrigation)	No precipitation	No precipitation	No precipitation

Source description	Material type	N (lbs/acre)	P (lbs/acre)	K (lbs/acre)	Salt (lbs/acre)	Amount
WWS	Process wastewater	37.37	1.97	41.14	359.71	684,000.00 *gal*
TID Lateral 4	Surface water	0.00	0.00	0.00	23.63	5,771,250.00 *gal*
Application event totals		37.37	1.97	41.14	383.34	

Art's - 10/23/2022: Oats, silage-soft dough

Field name: Art's

Crop: Oats, silage-soft dough

Plant date: 10/23/2022

Application date	Application method	Precipitation 24 hours prior	Precipitation during application	Precipitation 24 hours following

Art's - 10/23/2022: Oats, silage-soft dough

Application date	Application method	Precipitation 24 hours prior	Precipitation during application	Precipitation 24 hours following
10/09/2022	Surface (irrigation)	No precipitation	No precipitation	No precipitation

Source description	Material type	N (lbs/acre)	P (lbs/acre)	K (lbs/acre)	Salt (lbs/acre)	Amount
TID Lateral 4	Surface water	0.00	0.00	0.00	0.00	6,480,000.00 *gal*
Application event totals		0.00	0.00	0.00	0.00	

Application date	Application method	Precipitation 24 hours prior	Precipitation during application	Precipitation 24 hours following
04/11/2023	Surface (irrigation)	No precipitation	No precipitation	No precipitation

Source description	Material type	N (lbs/acre)	P (lbs/acre)	K (lbs/acre)	Salt (lbs/acre)	Amount
TID Lateral 4	Surface water	0.00	0.00	0.00	41.50	6,885,000.00 *gal*
Application event totals		0.00	0.00	0.00	41.50	

Application date	Application method	Precipitation 24 hours prior	Precipitation during application	Precipitation 24 hours following
09/06/2023	Broadcast/incorporate	No precipitation	No precipitation	No precipitation

Source description	Material type	N (lbs/acre)	P (lbs/acre)	K (lbs/acre)	Salt (lbs/acre)	Amount
Settling Basin	Separator solids	244.66	90.70	52.06	2,202.66	510.00 *ton*
Application event totals		244.66	90.70	52.06	2,202.66	

Art's - 05/19/2023: Corn, silage

Field name: Art's

Crop: Corn, silage

Plant date: 05/19/2023

Application date	Application method	Precipitation 24 hours prior	Precipitation during application	Precipitation 24 hours following
04/26/2023	Broadcast/incorporate	No precipitation	No precipitation	No precipitation

Source description	Material type	N (lbs/acre)	P (lbs/acre)	K (lbs/acre)	Salt (lbs/acre)	Amount
Corral Solids	Corral solids	290.52	145.26	74.21	8,352.32	580.00 *ton*
Application event totals		290.52	145.26	74.21	8,352.32	

Application date	Application method	Precipitation 24 hours prior	Precipitation during application	Precipitation 24 hours following
05/09/2023	Surface (irrigation)	No precipitation	No precipitation	No precipitation

Source description	Material type	N (lbs/acre)	P (lbs/acre)	K (lbs/acre)	Salt (lbs/acre)	Amount
TID Lateral 4	Surface water	0.00	0.00	0.00	36.61	6,075,000.00 *gal*
Application event totals		0.00	0.00	0.00	36.61	

Art's - 05/19/2023: Corn, silage

Application date	Application method	Precipitation 24 hours prior	Precipitation during application	Precipitation 24 hours following
05/19/2023	Sidedress	No precipitation	No precipitation	No precipitation

Source description	Material type	N (lbs/acre)	P (lbs/acre)	K (lbs/acre)	Salt (lbs/acre)	Amount
4-10-10	Solid commercial fertilizer	14.64	15.74	30.38	0.00	
Application event totals		14.64	15.74	30.38	0.00	

06/14/2023	Surface (irrigation)	No precipitation	No precipitation	No precipitation

Source description	Material type	N (lbs/acre)	P (lbs/acre)	K (lbs/acre)	Salt (lbs/acre)	Amount
TID Lateral 4	Surface water	0.00	0.00	0.00	36.61	6,075,000.00 *gal*
Application event totals		0.00	0.00	0.00	36.61	

06/12/2023	Sidedress	No precipitation	No precipitation	No precipitation

Source description	Material type	N (lbs/acre)	P (lbs/acre)	K (lbs/acre)	Salt (lbs/acre)	Amount
UN 32	Solid commercial fertilizer	80.00	0.00	0.00	0.00	
Application event totals		80.00	0.00	0.00	0.00	

06/25/2023	Surface (irrigation)	No precipitation	No precipitation	No precipitation

Source description	Material type	N (lbs/acre)	P (lbs/acre)	K (lbs/acre)	Salt (lbs/acre)	Amount
TID Lateral 4	Surface water	0.00	0.00	0.00	24.41	4,050,000.00 *gal*
Application event totals		0.00	0.00	0.00	24.41	

07/03/2023	Surface (irrigation)	No precipitation	No precipitation	No precipitation

Source description	Material type	N (lbs/acre)	P (lbs/acre)	K (lbs/acre)	Salt (lbs/acre)	Amount
TID Lateral 4	Surface water	0.00	0.00	0.00	24.41	4,050,000.00 *gal*
Application event totals		0.00	0.00	0.00	24.41	

07/11/2023	Surface (irrigation)	No precipitation	No precipitation	No precipitation

Source description	Material type	N (lbs/acre)	P (lbs/acre)	K (lbs/acre)	Salt (lbs/acre)	Amount
TID Lateral 4	Surface water	0.00	0.00	0.00	19.53	3,240,000.00 *gal*
Application event totals		0.00	0.00	0.00	19.53	

Art's - 05/19/2023: Corn, silage

Application date	Application method	Precipitation 24 hours prior	Precipitation during application	Precipitation 24 hours following
07/21/2023	Surface (irrigation)	No precipitation	No precipitation	No precipitation

Source description	Material type	N (lbs/acre)	P (lbs/acre)	K (lbs/acre)	Salt (lbs/acre)	Amount
TID Lateral 4	Surface water	0.00	0.00	0.00	24.41	4,050,000.00 *gal*
Application event totals		0.00	0.00	0.00	24.41	

Application date	Application method	Precipitation 24 hours prior	Precipitation during application	Precipitation 24 hours following
07/30/2023	Surface (irrigation)	No precipitation	No precipitation	No precipitation

Source description	Material type	N (lbs/acre)	P (lbs/acre)	K (lbs/acre)	Salt (lbs/acre)	Amount
TID Lateral 4	Surface water	0.00	0.00	0.00	24.41	4,050,000.00 *gal*
Application event totals		0.00	0.00	0.00	24.41	

Application date	Application method	Precipitation 24 hours prior	Precipitation during application	Precipitation 24 hours following
08/08/2023	Surface (irrigation)	No precipitation	No precipitation	No precipitation

Source description	Material type	N (lbs/acre)	P (lbs/acre)	K (lbs/acre)	Salt (lbs/acre)	Amount
TID Lateral 4	Surface water	0.00	0.00	0.00	24.41	4,050,000.00 *gal*
Application event totals		0.00	0.00	0.00	24.41	

Application date	Application method	Precipitation 24 hours prior	Precipitation during application	Precipitation 24 hours following
08/15/2023	Surface (irrigation)	No precipitation	No precipitation	No precipitation

Source description	Material type	N (lbs/acre)	P (lbs/acre)	K (lbs/acre)	Salt (lbs/acre)	Amount
TID Lateral 4	Surface water	0.00	0.00	0.00	21.97	3,645,000.00 *gal*
Application event totals		0.00	0.00	0.00	21.97	

Browns East - 11/02/2022: Oats, silage-soft dough

Field name: Browns East

Crop: Oats, silage-soft dough

Plant date: 11/02/2022

Application date	Application method	Precipitation 24 hours prior	Precipitation during application	Precipitation 24 hours following
10/18/2022	Surface (irrigation)	No precipitation	No precipitation	No precipitation

Source description	Material type	N (lbs/acre)	P (lbs/acre)	K (lbs/acre)	Salt (lbs/acre)	Amount
WWS	Process wastewater	116.83	2.18	70.41	922.18	672,000.00 *gal*
TID Lateral 4	Surface water	0.00	0.00	0.00	0.00	5,670,000.00 *gal*
Application event totals		116.83	2.18	70.41	922.18	

Browns East - 11/02/2022: Oats, silage-soft dough

Application date	Application method	Precipitation 24 hours prior	Precipitation during application	Precipitation 24 hours following
04/12/2023	Surface (irrigation)	No precipitation	No precipitation	No precipitation

Source description	Material type	N (lbs/acre)	P (lbs/acre)	K (lbs/acre)	Salt (lbs/acre)	Amount
WWS	Process wastewater	78.11	7.78	100.14	774.42	576,000.00 *gal*
TID Lateral 4	Surface water	0.00	0.00	0.00	29.29	4,860,000.00 *gal*
Application event totals		78.11	7.78	100.14	803.71	

Browns East - 05/12/2023: Corn, silage

Field name: Browns East

Crop: Corn, silage

Plant date: 05/12/2023

Application date	Application method	Precipitation 24 hours prior	Precipitation during application	Precipitation 24 hours following
05/02/2023	Surface (irrigation)	No precipitation	No precipitation	No precipitation

Source description	Material type	N (lbs/acre)	P (lbs/acre)	K (lbs/acre)	Salt (lbs/acre)	Amount
TID Lateral 4	Surface water	0.00	0.00	0.00	36.61	6,075,000.00 *gal*
Application event totals		0.00	0.00	0.00	36.61	

06/12/2023	Surface (irrigation)	No precipitation	No precipitation	No precipitation

Source description	Material type	N (lbs/acre)	P (lbs/acre)	K (lbs/acre)	Salt (lbs/acre)	Amount
TID Lateral 4	Surface water	0.00	0.00	0.00	70.79	11,745,000.00 *gal*
Application event totals		0.00	0.00	0.00	70.79	

06/23/2023	Surface (irrigation)	No precipitation	No precipitation	No precipitation

Source description	Material type	N (lbs/acre)	P (lbs/acre)	K (lbs/acre)	Salt (lbs/acre)	Amount
WWS	Process wastewater	86.54	5.28	122.34	980.76	732,000.00 *gal*
TID Lateral 4	Surface water	0.00	0.00	0.00	37.22	6,175,250.00 *gal*
Application event totals		86.54	5.28	122.34	1,017.98	

Browns East - 05/12/2023: Corn, silage

Application date	Application method	Precipitation 24 hours prior	Precipitation during application	Precipitation 24 hours following
07/02/2023	Surface (irrigation)	No precipitation	No precipitation	No precipitation

Source description	Material type	N (lbs/acre)	P (lbs/acre)	K (lbs/acre)	Salt (lbs/acre)	Amount
WWS	Process wastewater	58.88	3.11	64.82	566.74	732,000.00 *gal*
TID Lateral 4	Surface water	0.00	0.00	0.00	37.22	6,176,250.00 *gal*
Application event totals		58.88	3.11	64.82	603.96	

07/13/2023	Surface (irrigation)	No precipitation	No precipitation	No precipitation

Source description	Material type	N (lbs/acre)	P (lbs/acre)	K (lbs/acre)	Salt (lbs/acre)	Amount
WWS	Process wastewater	46.33	2.44	51.00	445.96	576,000.00 *gal*
TID Lateral 4	Surface water	0.00	0.00	0.00	29.29	4,860,000.00 *gal*
Application event totals		46.33	2.44	51.00	475.25	

07/21/2023	Surface (irrigation)	No precipitation	No precipitation	No precipitation

Source description	Material type	N (lbs/acre)	P (lbs/acre)	K (lbs/acre)	Salt (lbs/acre)	Amount
WWS	Process wastewater	64.67	3.41	71.19	622.48	804,000.00 *gal*
TID Lateral 4	Surface water	0.00	0.00	0.00	40.89	6,783,750.00 *gal*
Application event totals		64.67	3.41	71.19	663.37	

07/30/2023	Surface (irrigation)	No precipitation	No precipitation	No precipitation

Source description	Material type	N (lbs/acre)	P (lbs/acre)	K (lbs/acre)	Salt (lbs/acre)	Amount
TID Lateral 4	Surface water	0.00	0.00	0.00	58.58	9,720,000.00 *gal*
Application event totals		0.00	0.00	0.00	58.58	

08/09/2023	Surface (irrigation)	No precipitation	No precipitation	No precipitation

Source description	Material type	N (lbs/acre)	P (lbs/acre)	K (lbs/acre)	Salt (lbs/acre)	Amount
WWS	Process wastewater	70.46	3.72	77.57	678.23	876,000.00 *gal*
TID Lateral 4	Surface water	0.00	0.00	0.00	44.55	7,391,250.00 *gal*
Application event totals		70.46	3.72	77.57	722.77	

Browns East - 05/12/2023: Corn, silage

Application date	Application method	Precipitation 24 hours prior	Precipitation during application	Precipitation 24 hours following
08/18/2023	Surface (irrigation)	No precipitation	No precipitation	No precipitation

Source description	Material type	N (lbs/acre)	P (lbs/acre)	K (lbs/acre)	Salt (lbs/acre)	Amount
TID Lateral 4	Surface water	0.00	0.00	0.00	32.95	5,467,500.00 *gal*
Application event totals		0.00	0.00	0.00	32.95	

Cabral's - 10/26/2022: Oats, silage-soft dough

Field name: Cabral's

Crop: Oats, silage-soft dough

Plant date: 10/26/2022

Application date	Application method	Precipitation 24 hours prior	Precipitation during application	Precipitation 24 hours following
10/08/2022	Surface (irrigation)	No precipitation	No precipitation	No precipitation

Source description	Material type	N (lbs/acre)	P (lbs/acre)	K (lbs/acre)	Salt (lbs/acre)	Amount
TID Lateral 5 1/2	Surface water	4.23	0.00	0.00	22.65	17,010,000.00 *gal*
Application event totals		4.23	0.00	0.00	22.65	

Application date	Application method	Precipitation 24 hours prior	Precipitation during application	Precipitation 24 hours following
04/11/2023	Surface (irrigation)	No precipitation	No precipitation	No precipitation

Source description	Material type	N (lbs/acre)	P (lbs/acre)	K (lbs/acre)	Salt (lbs/acre)	Amount
TID Lateral 5 1/2	Surface water	0.00	0.00	0.00	191.32	10,023,750.00 *gal*
Application event totals		0.00	0.00	0.00	191.32	

Application date	Application method	Precipitation 24 hours prior	Precipitation during application	Precipitation 24 hours following
04/23/2023	Surface (irrigation)	No precipitation	No precipitation	No precipitation

Source description	Material type	N (lbs/acre)	P (lbs/acre)	K (lbs/acre)	Salt (lbs/acre)	Amount
TID Lateral 5 1/2	Surface water	0.00	0.00	0.00	162.33	8,505,000.00 *gal*
Application event totals		0.00	0.00	0.00	162.33	

Application date	Application method	Precipitation 24 hours prior	Precipitation during application	Precipitation 24 hours following
09/28/2023	Broadcast/incorporate	No precipitation	No precipitation	No precipitation

Source description	Material type	N (lbs/acre)	P (lbs/acre)	K (lbs/acre)	Salt (lbs/acre)	Amount
Settling Basin	Separator solids	159.84	59.25	34.01	1,439.04	870.00 *ton*
Application event totals		159.84	59.25	34.01	1,439.04	

Cabral's - 06/14/2023: Corn, silage

Field name: Cabral's

Crop: Corn, silage

Plant date: 06/14/2023

Application date	Application method	Precipitation 24 hours prior	Precipitation during application	Precipitation 24 hours following
06/01/2023	Surface (irrigation)	No precipitation	No precipitation	No precipitation

Source description	Material type	N (lbs/acre)	P (lbs/acre)	K (lbs/acre)	Salt (lbs/acre)	Amount
TID Lateral 5 1/2	Surface water	0.00	0.00	0.00	270.56	14,175,000.00 *gal*
Application event totals		0.00	0.00	0.00	270.56	

Application date	Application method	Precipitation 24 hours prior	Precipitation during application	Precipitation 24 hours following
06/03/2023	Broadcast/incorporate	No precipitation	No precipitation	No precipitation

Source description	Material type	N (lbs/acre)	P (lbs/acre)	K (lbs/acre)	Salt (lbs/acre)	Amount
Corral Solids	Corral solids	220.99	110.49	56.45	6,353.40	1,152.00 *ton*
Application event totals		220.99	110.49	56.45	6,353.40	

Application date	Application method	Precipitation 24 hours prior	Precipitation during application	Precipitation 24 hours following
06/14/2023	Sidedress	No precipitation	No precipitation	No precipitation

Source description	Material type	N (lbs/acre)	P (lbs/acre)	K (lbs/acre)	Salt (lbs/acre)	Amount
4-10-10	Solid commercial fertilizer	14.64	15.74	30.38	0.00	
Application event totals		14.64	15.74	30.38	0.00	

Application date	Application method	Precipitation 24 hours prior	Precipitation during application	Precipitation 24 hours following
07/07/2023	Sidedress	No precipitation	No precipitation	No precipitation

Source description	Material type	N (lbs/acre)	P (lbs/acre)	K (lbs/acre)	Salt (lbs/acre)	Amount
UN 32	Solid commercial fertilizer	80.00	0.00	0.00	0.00	
Application event totals		80.00	0.00	0.00	0.00	

Application date	Application method	Precipitation 24 hours prior	Precipitation during application	Precipitation 24 hours following
07/09/2023	Surface (irrigation)	No precipitation	No precipitation	No precipitation

Source description	Material type	N (lbs/acre)	P (lbs/acre)	K (lbs/acre)	Salt (lbs/acre)	Amount
TID Lateral 5 1/2	Surface water	0.00	0.00	0.00	170.06	8,910,000.00 *gal*
Application event totals		0.00	0.00	0.00	170.06	

Application date	Application method	Precipitation 24 hours prior	Precipitation during application	Precipitation 24 hours following
07/17/2023	Surface (irrigation)	No precipitation	No precipitation	No precipitation

Source description	Material type	N (lbs/acre)	P (lbs/acre)	K (lbs/acre)	Salt (lbs/acre)	Amount
TID Lateral 5 1/2	Surface water	0.00	0.00	0.00	139.14	7,290,000.00 *gal*
Application event totals		0.00	0.00	0.00	139.14	

Cabral's - 06/14/2023: Corn, silage

Application date	Application method	Precipitation 24 hours prior	Precipitation during application	Precipitation 24 hours following
07/28/2023	Surface (irrigation)	No precipitation	No precipitation	No precipitation

Source description	Material type	N (lbs/acre)	P (lbs/acre)	K (lbs/acre)	Salt (lbs/acre)	Amount
TID Lateral 5 1/2	Surface water	0.00	0.00	0.00	170.06	8,910,000.00 *gal*
Application event totals		0.00	0.00	0.00	170.06	

Application date	Application method	Precipitation 24 hours prior	Precipitation during application	Precipitation 24 hours following
08/17/2023	Surface (irrigation)	No precipitation	No precipitation	No precipitation

Source description	Material type	N (lbs/acre)	P (lbs/acre)	K (lbs/acre)	Salt (lbs/acre)	Amount
TID Lateral 5 1/2	Surface water	0.00	0.00	0.00	131.41	6,885,000.00 *gal*
Application event totals		0.00	0.00	0.00	131.41	

Application date	Application method	Precipitation 24 hours prior	Precipitation during application	Precipitation 24 hours following
08/26/2023	Surface (irrigation)	No precipitation	No precipitation	No precipitation

Source description	Material type	N (lbs/acre)	P (lbs/acre)	K (lbs/acre)	Salt (lbs/acre)	Amount
TID Lateral 5 1/2	Surface water	0.00	0.00	0.00	131.41	6,885,000.00 *gal*
Application event totals		0.00	0.00	0.00	131.41	

Application date	Application method	Precipitation 24 hours prior	Precipitation during application	Precipitation 24 hours following
09/05/2023	Surface (irrigation)	No precipitation	No precipitation	No precipitation

Source description	Material type	N (lbs/acre)	P (lbs/acre)	K (lbs/acre)	Salt (lbs/acre)	Amount
TID Lateral 5 1/2	Surface water	0.00	0.00	0.00	154.60	8,100,000.00 *gal*
Application event totals		0.00	0.00	0.00	154.60	

Application date	Application method	Precipitation 24 hours prior	Precipitation during application	Precipitation 24 hours following
09/19/2023	Surface (irrigation)	No precipitation	No precipitation	No precipitation

Source description	Material type	N (lbs/acre)	P (lbs/acre)	K (lbs/acre)	Salt (lbs/acre)	Amount
TID Lateral 5 1/2	Surface water	0.00	0.00	0.00	146.87	7,695,000.00 *gal*
Application event totals		0.00	0.00	0.00	146.87	

Devin's - 02/01/1996: Almond, in shell

Field name: Devin's

Crop: Almond, in shell

Plant date: 02/01/1996

Application date	Application method	Precipitation 24 hours prior	Precipitation during application	Precipitation 24 hours following

Devin's - 02/01/1996: Almond, in shell

Application date	Application method	Precipitation 24 hours prior	Precipitation during application	Precipitation 24 hours following
05/21/2023	Surface (irrigation)	No precipitation	No precipitation	No precipitation

Source description	Material type	N (lbs/acre)	P (lbs/acre)	K (lbs/acre)	Salt (lbs/acre)	Amount
TID Lateral 4	Surface water	0.00	0.00	0.00	43.94	7,290,000.00 *gal*
Application event totals		0.00	0.00	0.00	43.94	

Application date	Application method	Precipitation 24 hours prior	Precipitation during application	Precipitation 24 hours following
05/21/2023	Sidedress	No precipitation	No precipitation	No precipitation

Source description	Material type	N (lbs/acre)	P (lbs/acre)	K (lbs/acre)	Salt (lbs/acre)	Amount
UN 32	Solid commercial fertilizer	28.80	0.00	0.00	0.00	
Application event totals		28.80	0.00	0.00	0.00	

Application date	Application method	Precipitation 24 hours prior	Precipitation during application	Precipitation 24 hours following
06/08/2023	Surface (irrigation)	No precipitation	No precipitation	No precipitation

Source description	Material type	N (lbs/acre)	P (lbs/acre)	K (lbs/acre)	Salt (lbs/acre)	Amount
TID Lateral 4	Surface water	0.00	0.00	0.00	43.94	7,290,000.00 *gal*
Application event totals		0.00	0.00	0.00	43.94	

Application date	Application method	Precipitation 24 hours prior	Precipitation during application	Precipitation 24 hours following
06/08/2023	Sidedress	No precipitation	No precipitation	No precipitation

Source description	Material type	N (lbs/acre)	P (lbs/acre)	K (lbs/acre)	Salt (lbs/acre)	Amount
UN 32	Solid commercial fertilizer	28.80	0.00	0.00	0.00	
Application event totals		28.80	0.00	0.00	0.00	

Application date	Application method	Precipitation 24 hours prior	Precipitation during application	Precipitation 24 hours following
06/26/2023	Surface (irrigation)	No precipitation	No precipitation	No precipitation

Source description	Material type	N (lbs/acre)	P (lbs/acre)	K (lbs/acre)	Salt (lbs/acre)	Amount
TID Lateral 4	Surface water	0.00	0.00	0.00	41.50	6,885,000.00 *gal*
Application event totals		0.00	0.00	0.00	41.50	

Application date	Application method	Precipitation 24 hours prior	Precipitation during application	Precipitation 24 hours following
06/26/2023	Sidedress	No precipitation	No precipitation	No precipitation

Source description	Material type	N (lbs/acre)	P (lbs/acre)	K (lbs/acre)	Salt (lbs/acre)	Amount
UN 32	Solid commercial fertilizer	28.80	0.00	0.00	0.00	
Application event totals		28.80	0.00	0.00	0.00	

Devin's - 02/01/1996: Almond, in shell

Application date	Application method	Precipitation 24 hours prior	Precipitation during application	Precipitation 24 hours following
07/13/2023	Surface (irrigation)	No precipitation	No precipitation	No precipitation

Source description	Material type	N (lbs/acre)	P (lbs/acre)	K (lbs/acre)	Salt (lbs/acre)	Amount
UN 32	Solid commercial fertilizer	28.80	0.00	0.00	0.00	
TID Lateral 4	Surface water	0.00	0.00	0.00	39.05	6,480,000.00 *gal*
Application event totals		28.80	0.00	0.00	39.05	

Application date	Application method	Precipitation 24 hours prior	Precipitation during application	Precipitation 24 hours following
07/26/2023	Surface (irrigation)	No precipitation	No precipitation	No precipitation

Source description	Material type	N (lbs/acre)	P (lbs/acre)	K (lbs/acre)	Salt (lbs/acre)	Amount
TID Lateral 4	Surface water	0.00	0.00	0.00	36.61	6,075,000.00 *gal*
Application event totals		0.00	0.00	0.00	36.61	

Application date	Application method	Precipitation 24 hours prior	Precipitation during application	Precipitation 24 hours following
08/12/2023	Surface (irrigation)	No precipitation	No precipitation	No precipitation

Source description	Material type	N (lbs/acre)	P (lbs/acre)	K (lbs/acre)	Salt (lbs/acre)	Amount
TID Lateral 4	Surface water	0.00	0.00	0.00	34.17	5,670,000.00 *gal*
Application event totals		0.00	0.00	0.00	34.17	

Application date	Application method	Precipitation 24 hours prior	Precipitation during application	Precipitation 24 hours following
08/26/2023	Surface (irrigation)	No precipitation	No precipitation	No precipitation

Source description	Material type	N (lbs/acre)	P (lbs/acre)	K (lbs/acre)	Salt (lbs/acre)	Amount
TID Lateral 4	Surface water	0.00	0.00	0.00	31.73	5,265,000.00 *gal*
Application event totals		0.00	0.00	0.00	31.73	

Diamond Hay - 11/19/2022: Oats, silage-soft dough

Field name: Diamond Hay

Crop: Oats, silage-soft dough

Plant date: 11/19/2022

Application date	Application method	Precipitation 24 hours prior	Precipitation during application	Precipitation 24 hours following

Diamond Hay - 11/19/2022: Oats, silage-soft dough

Application date	Application method	Precipitation 24 hours prior	Precipitation during application	Precipitation 24 hours following
04/13/2023	Surface (irrigation)	No precipitation	No precipitation	No precipitation

Source description	Material type	N (lbs/acre)	P (lbs/acre)	K (lbs/acre)	Salt (lbs/acre)	Amount
WWS	Process wastewater	109.35	10.90	140.20	1,084.18	336,000.00 *gal*
TID Lateral 4	Surface water	0.00	0.00	0.00	41.01	2,835,000.00 *gal*
Application event totals		109.35	10.90	140.20	1,125.19	

04/27/2023	Surface (irrigation)	No precipitation	No precipitation	No precipitation

Source description	Material type	N (lbs/acre)	P (lbs/acre)	K (lbs/acre)	Salt (lbs/acre)	Amount
WWS	Process wastewater	93.73	9.34	120.17	929.30	288,000.00 *gal*
TID Lateral 4	Surface water	0.00	0.00	0.00	35.15	2,430,000.00 *gal*
Application event totals		93.73	9.34	120.17	964.45	

Diamond Hay - 06/06/2023: Corn, silage

Field name: Diamond Hay

Crop: Corn, silage

Plant date: 06/06/2023

Application date	Application method	Precipitation 24 hours prior	Precipitation during application	Precipitation 24 hours following
05/26/2023	Surface (irrigation)	No precipitation	No precipitation	No precipitation

Source description	Material type	N (lbs/acre)	P (lbs/acre)	K (lbs/acre)	Salt (lbs/acre)	Amount
TID Lateral 4	Surface water	0.00	0.00	0.00	46.87	3,240,000.00 *gal*
Application event totals		0.00	0.00	0.00	46.87	

06/29/2023	Surface (irrigation)	No precipitation	No precipitation	No precipitation

Source description	Material type	N (lbs/acre)	P (lbs/acre)	K (lbs/acre)	Salt (lbs/acre)	Amount
TID Lateral 4	Surface water	0.00	0.00	0.00	33.68	2,328,750.00 *gal*
Application event totals		0.00	0.00	0.00	33.68	

Diamond Hay - 06/06/2023: Corn, silage

Application date	Application method	Precipitation 24 hours prior	Precipitation during application	Precipitation 24 hours following
07/06/2023	Surface (irrigation)	No precipitation	No precipitation	No precipitation

Source description	Material type	N (lbs/acre)	P (lbs/acre)	K (lbs/acre)	Salt (lbs/acre)	Amount
WWS	Process wastewater	23.17	1.22	25.50	222.98	120,000.00 *gal*
TID Lateral 4	Surface water	0.00	0.00	0.00	14.65	1,012,500.00 *gal*
Application event totals		23.17	1.22	25.50	237.62	

07/16/2023	Surface (irrigation)	No precipitation	No precipitation	No precipitation

Source description	Material type	N (lbs/acre)	P (lbs/acre)	K (lbs/acre)	Salt (lbs/acre)	Amount
WWS	Process wastewater	55.60	2.93	61.21	535.15	288,000.00 *gal*
TID Lateral 4	Surface water	0.00	0.00	0.00	35.15	2,430,000.00 *gal*
Application event totals		55.60	2.93	61.21	570.30	

07/26/2023	Surface (irrigation)	No precipitation	No precipitation	No precipitation

Source description	Material type	N (lbs/acre)	P (lbs/acre)	K (lbs/acre)	Salt (lbs/acre)	Amount
WWS	Process wastewater	64.86	3.42	71.41	624.34	336,000.00 *gal*
TID Lateral 4	Surface water	0.00	0.00	0.00	41.01	2,835,000.00 *gal*
Application event totals		64.86	3.42	71.41	665.35	

08/03/2023	Surface (irrigation)	No precipitation	No precipitation	No precipitation

Source description	Material type	N (lbs/acre)	P (lbs/acre)	K (lbs/acre)	Salt (lbs/acre)	Amount
WWS	Process wastewater	78.76	4.15	86.71	758.13	408,000.00 *gal*
TID Lateral 4	Surface water	0.00	0.00	0.00	49.79	3,442,500.00 *gal*
Application event totals		78.76	4.15	86.71	807.92	

08/11/2023	Surface (irrigation)	No precipitation	No precipitation	No precipitation

Source description	Material type	N (lbs/acre)	P (lbs/acre)	K (lbs/acre)	Salt (lbs/acre)	Amount
TID Lateral 4	Surface water	0.00	0.00	0.00	58.58	4,050,000.00 *gal*
Application event totals		0.00	0.00	0.00	58.58	

Diamond Hay - 06/06/2023: Corn, silage

Application date	Application method	Precipitation 24 hours prior	Precipitation during application	Precipitation 24 hours following
08/18/2023	Surface (irrigation)	No precipitation	No precipitation	No precipitation

Source description	Material type	N (lbs/acre)	P (lbs/acre)	K (lbs/acre)	Salt (lbs/acre)	Amount
WWS	Process wastewater	37.07	1.95	40.80	356.77	192,000.00 *gal*
TID Lateral 4	Surface water	0.00	0.00	0.00	23.43	1,620,000.00 *gal*
Application event totals		37.07	1.95	40.80	380.20	

Application date	Application method	Precipitation 24 hours prior	Precipitation during application	Precipitation 24 hours following
08/27/2023	Surface (irrigation)	No precipitation	No precipitation	No precipitation

Source description	Material type	N (lbs/acre)	P (lbs/acre)	K (lbs/acre)	Salt (lbs/acre)	Amount
WWS	Process wastewater	83.40	4.40	91.81	802.72	432,000.00 *gal*
TID Lateral 4	Surface water	0.00	0.00	0.00	52.72	3,645,000.00 *gal*
Application event totals		83.40	4.40	91.81	855.45	

Application date	Application method	Precipitation 24 hours prior	Precipitation during application	Precipitation 24 hours following
09/06/2023	Surface (irrigation)	No precipitation	No precipitation	No precipitation

Source description	Material type	N (lbs/acre)	P (lbs/acre)	K (lbs/acre)	Salt (lbs/acre)	Amount
TID Lateral 4	Surface water	0.00	0.00	0.00	23.43	1,620,000.00 *gal*
Application event totals		0.00	0.00	0.00	23.43	

Edward's - 10/23/2022: Oats, silage-soft dough

Field name: Edward's

Crop: Oats, silage-soft dough

Plant date: 10/23/2022

Application date	Application method	Precipitation 24 hours prior	Precipitation during application	Precipitation 24 hours following
09/06/2022	Broadcast/incorporate	No precipitation	No precipitation	No precipitation

Source description	Material type	N (lbs/acre)	P (lbs/acre)	K (lbs/acre)	Salt (lbs/acre)	Amount
Settling Basin	Separator solids	241.78	89.63	51.44	2,176.75	280.00 *ton*
Application event totals		241.78	89.63	51.44	2,176.75	

Edward's - 10/23/2022: Oats, silage-soft dough

Application date	Application method	Precipitation 24 hours prior	Precipitation during application	Precipitation 24 hours following
10/09/2022	Surface (irrigation)	No precipitation	No precipitation	No precipitation

Source description	Material type	N (lbs/acre)	P (lbs/acre)	K (lbs/acre)	Salt (lbs/acre)	Amount
TID Lateral 4	Surface water	0.00	0.00	0.00	0.00	3,240,000.00 *gal*
Application event totals		0.00	0.00	0.00	0.00	

Application date	Application method	Precipitation 24 hours prior	Precipitation during application	Precipitation 24 hours following
04/10/2023	Surface (irrigation)	No precipitation	No precipitation	No precipitation

Source description	Material type	N (lbs/acre)	P (lbs/acre)	K (lbs/acre)	Salt (lbs/acre)	Amount
TID Lateral 4	Surface water	0.00	0.00	0.00	26.36	2,430,000.00 *gal*
Application event totals		0.00	0.00	0.00	26.36	

Edward's - 05/19/2023: Corn, silage

Field name: Edward's

Crop: Corn, silage

Plant date: 05/19/2023

Application date	Application method	Precipitation 24 hours prior	Precipitation during application	Precipitation 24 hours following
04/26/2023	Broadcast/incorporate	No precipitation	No precipitation	No precipitation

Source description	Material type	N (lbs/acre)	P (lbs/acre)	K (lbs/acre)	Salt (lbs/acre)	Amount
Corral Solids	Corral solids	225.40	112.70	57.58	6,480.25	250.00 *ton*
Application event totals		225.40	112.70	57.58	6,480.25	

Application date	Application method	Precipitation 24 hours prior	Precipitation during application	Precipitation 24 hours following
05/09/2023	Surface (irrigation)	No precipitation	No precipitation	No precipitation

Source description	Material type	N (lbs/acre)	P (lbs/acre)	K (lbs/acre)	Salt (lbs/acre)	Amount
TID Lateral 4	Surface water	0.00	0.00	0.00	27.46	2,531,250.00 *gal*
Application event totals		0.00	0.00	0.00	27.46	

Application date	Application method	Precipitation 24 hours prior	Precipitation during application	Precipitation 24 hours following
05/19/2023	Surface (irrigation)	No precipitation	No precipitation	No precipitation

Source description	Material type	N (lbs/acre)	P (lbs/acre)	K (lbs/acre)	Salt (lbs/acre)	Amount
4-10-10	Solid commercial fertilizer	14.64	15.74	30.38	0.00	
Application event totals		14.64	15.74	30.38	0.00	

Edward's - 05/19/2023: Corn, silage

Application date	Application method	Precipitation 24 hours prior	Precipitation during application	Precipitation 24 hours following
06/14/2023	Surface (irrigation)	No precipitation	No precipitation	No precipitation

Source description	Material type	N (lbs/acre)	P (lbs/acre)	K (lbs/acre)	Salt (lbs/acre)	Amount
TID Lateral 4	Surface water	0.00	0.00	0.00	27.46	2,531,250.00 *gal*
Application event totals		0.00	0.00	0.00	27.46	

Application date	Application method	Precipitation 24 hours prior	Precipitation during application	Precipitation 24 hours following
06/12/2023	Sidedress	No precipitation	No precipitation	No precipitation

Source description	Material type	N (lbs/acre)	P (lbs/acre)	K (lbs/acre)	Salt (lbs/acre)	Amount
UN 32	Solid commercial fertilizer	80.00	0.00	0.00	0.00	
Application event totals		80.00	0.00	0.00	0.00	

Application date	Application method	Precipitation 24 hours prior	Precipitation during application	Precipitation 24 hours following
06/24/2023	Surface (irrigation)	No precipitation	No precipitation	No precipitation

Source description	Material type	N (lbs/acre)	P (lbs/acre)	K (lbs/acre)	Salt (lbs/acre)	Amount
TID Lateral 4	Surface water	0.00	0.00	0.00	17.57	1,620,000.00 *gal*
Application event totals		0.00	0.00	0.00	17.57	

Application date	Application method	Precipitation 24 hours prior	Precipitation during application	Precipitation 24 hours following
07/03/2023	Surface (irrigation)	No precipitation	No precipitation	No precipitation

Source description	Material type	N (lbs/acre)	P (lbs/acre)	K (lbs/acre)	Salt (lbs/acre)	Amount
TID Lateral 4	Surface water	0.00	0.00	0.00	21.97	2,025,000.00 *gal*
Application event totals		0.00	0.00	0.00	21.97	

Application date	Application method	Precipitation 24 hours prior	Precipitation during application	Precipitation 24 hours following
07/21/2023	Surface (irrigation)	No precipitation	No precipitation	No precipitation

Source description	Material type	N (lbs/acre)	P (lbs/acre)	K (lbs/acre)	Salt (lbs/acre)	Amount
TID Lateral 4	Surface water	0.00	0.00	0.00	19.77	1,822,500.00 *gal*
Application event totals		0.00	0.00	0.00	19.77	

Application date	Application method	Precipitation 24 hours prior	Precipitation during application	Precipitation 24 hours following
07/29/2023	Surface (irrigation)	No precipitation	No precipitation	No precipitation

Source description	Material type	N (lbs/acre)	P (lbs/acre)	K (lbs/acre)	Salt (lbs/acre)	Amount
TID Lateral 4	Surface water	0.00	0.00	0.00	20.87	1,923,750.00 *gal*
Application event totals		0.00	0.00	0.00	20.87	

Edward's - 05/19/2023: Corn, silage

Application date	Application method	Precipitation 24 hours prior	Precipitation during application	Precipitation 24 hours following
08/08/2023	Surface (irrigation)	No precipitation	No precipitation	No precipitation

Source description	Material type	N (lbs/acre)	P (lbs/acre)	K (lbs/acre)	Salt (lbs/acre)	Amount
TID Lateral 4	Surface water	0.00	0.00	0.00	16.48	1,518,750.00 *gal*
Application event totals		0.00	0.00	0.00	16.48	

Application date	Application method	Precipitation 24 hours prior	Precipitation during application	Precipitation 24 hours following
08/15/2023	Surface (irrigation)	No precipitation	No precipitation	No precipitation

Source description	Material type	N (lbs/acre)	P (lbs/acre)	K (lbs/acre)	Salt (lbs/acre)	Amount
TID Lateral 4	Surface water	0.00	0.00	0.00	18.67	1,721,250.00 *gal*
Application event totals		0.00	0.00	0.00	18.67	

ET Vincent - 11/18/2022: Oats, silage-soft dough

Field name: ET Vincent

Crop: Oats, silage-soft dough

Plant date: 11/18/2022

Application date	Application method	Precipitation 24 hours prior	Precipitation during application	Precipitation 24 hours following
04/12/2023	Surface (irrigation)	No precipitation	No precipitation	No precipitation

Source description	Material type	N (lbs/acre)	P (lbs/acre)	K (lbs/acre)	Salt (lbs/acre)	Amount
WWS	Process wastewater	96.49	9.62	123.70	956.63	672,000.00 *gal*
TID Lateral 4	Surface water	0.00	0.00	0.00	36.18	5,670,000.00 *gal*
Application event totals		96.49	9.62	123.70	992.81	

Application date	Application method	Precipitation 24 hours prior	Precipitation during application	Precipitation 24 hours following
04/27/2023	Surface (irrigation)	No precipitation	No precipitation	No precipitation

Source description	Material type	N (lbs/acre)	P (lbs/acre)	K (lbs/acre)	Salt (lbs/acre)	Amount
WWS	Process wastewater	89.60	8.93	114.87	888.30	624,000.00 *gal*
TID Lateral 4	Surface water	0.00	0.00	0.00	33.60	5,265,000.00 *gal*
Application event totals		89.60	8.93	114.87	921.90	

ET Vincent - 06/05/2023: Corn, silage

ET Vincent - 06/05/2023: Corn, silage

Field name: ET Vincent

Crop: Corn, silage

Plant date: 06/05/2023

Application date	Application method	Precipitation 24 hours prior	Precipitation during application	Precipitation 24 hours following
05/25/2023	Surface (irrigation)	No precipitation	No precipitation	No precipitation

Source description	Material type	N (lbs/acre)	P (lbs/acre)	K (lbs/acre)	Salt (lbs/acre)	Amount
TID Lateral 4	Surface water	0.00	0.00	0.00	59.44	9,315,000.00 *gal*
Application event totals		0.00	0.00	0.00	59.44	

Application date	Application method	Precipitation 24 hours prior	Precipitation during application	Precipitation 24 hours following
06/28/2023	Surface (irrigation)	No precipitation	No precipitation	No precipitation

Source description	Material type	N (lbs/acre)	P (lbs/acre)	K (lbs/acre)	Salt (lbs/acre)	Amount
TID Lateral 4	Surface water	0.00	0.00	0.00	42.64	6,682,500.00 *gal*
Application event totals		0.00	0.00	0.00	42.64	

Application date	Application method	Precipitation 24 hours prior	Precipitation during application	Precipitation 24 hours following
07/05/2023	Surface (irrigation)	No precipitation	No precipitation	No precipitation

Source description	Material type	N (lbs/acre)	P (lbs/acre)	K (lbs/acre)	Salt (lbs/acre)	Amount
WWS	Process wastewater	36.79	1.94	40.50	354.14	432,000.00 *gal*
TID Lateral 4	Surface water	0.00	0.00	0.00	23.26	3,645,000.00 *gal*
Application event totals		36.79	1.94	40.50	377.40	

Application date	Application method	Precipitation 24 hours prior	Precipitation during application	Precipitation 24 hours following
07/15/2023	Surface (irrigation)	No precipitation	No precipitation	No precipitation

Source description	Material type	N (lbs/acre)	P (lbs/acre)	K (lbs/acre)	Salt (lbs/acre)	Amount
WWS	Process wastewater	40.88	2.16	45.00	393.49	480,000.00 *gal*
TID Lateral 4	Surface water	0.00	0.00	0.00	25.84	4,050,000.00 *gal*
Application event totals		40.88	2.16	45.00	419.34	

Application date	Application method	Precipitation 24 hours prior	Precipitation during application	Precipitation 24 hours following
07/25/2023	Surface (irrigation)	No precipitation	No precipitation	No precipitation

Source description	Material type	N (lbs/acre)	P (lbs/acre)	K (lbs/acre)	Salt (lbs/acre)	Amount
WWS	Process wastewater	77.67	4.10	85.51	747.63	912,000.00 *gal*
TID Lateral 4	Surface water	0.00	0.00	0.00	49.11	7,695,000.00 *gal*
Application event totals		77.67	4.10	85.51	796.74	

ET Vincent - 06/05/2023: Corn, silage

Application date	Application method	Precipitation 24 hours prior	Precipitation during application	Precipitation 24 hours following
08/02/2023	Surface (irrigation)	No precipitation	No precipitation	No precipitation

Source description	Material type	N (lbs/acre)	P (lbs/acre)	K (lbs/acre)	Salt (lbs/acre)	Amount
WWS	Process wastewater	53.14	2.80	58.51	511.54	624,000.00 *gal*
TID Lateral 4	Surface water	0.00	0.00	0.00	33.60	5,265,000.00 *gal*
Application event totals		53.14	2.80	58.51	545.14	

Application date	Application method	Precipitation 24 hours prior	Precipitation during application	Precipitation 24 hours following
08/11/2023	Surface (irrigation)	No precipitation	No precipitation	No precipitation

Source description	Material type	N (lbs/acre)	P (lbs/acre)	K (lbs/acre)	Salt (lbs/acre)	Amount
WWS	Process wastewater	40.88	2.16	45.00	393.49	480,000.00 *gal*
TID Lateral 4	Surface water	0.00	0.00	0.00	25.84	4,050,000.00 *gal*
Application event totals		40.88	2.16	45.00	419.34	

Application date	Application method	Precipitation 24 hours prior	Precipitation during application	Precipitation 24 hours following
08/17/2023	Surface (irrigation)	No precipitation	No precipitation	No precipitation

Source description	Material type	N (lbs/acre)	P (lbs/acre)	K (lbs/acre)	Salt (lbs/acre)	Amount
WWS	Process wastewater	40.88	2.16	45.00	393.49	480,000.00 *gal*
TID Lateral 4	Surface water	0.00	0.00	0.00	25.84	4,050,000.00 *gal*
Application event totals		40.88	2.16	45.00	419.34	

Application date	Application method	Precipitation 24 hours prior	Precipitation during application	Precipitation 24 hours following
08/26/2023	Surface (irrigation)	No precipitation	No precipitation	No precipitation

Source description	Material type	N (lbs/acre)	P (lbs/acre)	K (lbs/acre)	Salt (lbs/acre)	Amount
WWS	Process wastewater	57.23	3.02	63.01	550.89	672,000.00 *gal*
TID Lateral 4	Surface water	0.00	0.00	0.00	36.18	5,670,000.00 *gal*
Application event totals		57.23	3.02	63.01	587.07	

Application date	Application method	Precipitation 24 hours prior	Precipitation during application	Precipitation 24 hours following
09/06/2023	Surface (irrigation)	No precipitation	No precipitation	No precipitation

Source description	Material type	N (lbs/acre)	P (lbs/acre)	K (lbs/acre)	Salt (lbs/acre)	Amount
WWS	Process wastewater	49.06	2.59	54.00	472.19	576,000.00 *gal*
TID Lateral 4	Surface water	0.00	0.00	0.00	31.01	4,860,000.00 *gal*
Application event totals		49.06	2.59	54.00	503.20	

Gomes - 11/19/2022: Oats, silage-soft dough

Gomes - 11/19/2022: Oats, silage-soft dough

Field name: Gomes

Crop: Oats, silage-soft dough

Plant date: 11/19/2022

Application date	Application method	Precipitation 24 hours prior	Precipitation during application	Precipitation 24 hours following
10/13/2022	Broadcast/incorporate	No precipitation	No precipitation	No precipitation

Source description	Material type	N (lbs/acre)	P (lbs/acre)	K (lbs/acre)	Salt (lbs/acre)	Amount
Corral Solids	Corral solids	201.95	83.90	216.80	0.00	280.00 *ton*
Application event totals		201.95	83.90	216.80	0.00	

Application date	Application method	Precipitation 24 hours prior	Precipitation during application	Precipitation 24 hours following
04/12/2023	Surface (irrigation)	No precipitation	No precipitation	No precipitation

Source description	Material type	N (lbs/acre)	P (lbs/acre)	K (lbs/acre)	Salt (lbs/acre)	Amount
TID Lateral 4	Surface water	0.00	0.00	0.00	36.85	10,530,000.00 *gal*
Application event totals		0.00	0.00	0.00	36.85	

Application date	Application method	Precipitation 24 hours prior	Precipitation during application	Precipitation 24 hours following
04/26/2023	Surface (irrigation)	No precipitation	No precipitation	No precipitation

Source description	Material type	N (lbs/acre)	P (lbs/acre)	K (lbs/acre)	Salt (lbs/acre)	Amount
TID Lateral 4	Surface water	0.00	0.00	0.00	27.28	7,796,250.00 *gal*
Application event totals		0.00	0.00	0.00	27.28	

Gomes - 06/07/2023: Corn, silage

Field name: Gomes

Crop: Corn, silage

Plant date: 06/07/2023

Application date	Application method	Precipitation 24 hours prior	Precipitation during application	Precipitation 24 hours following
05/27/2023	Surface (irrigation)	No precipitation	No precipitation	No precipitation

Source description	Material type	N (lbs/acre)	P (lbs/acre)	K (lbs/acre)	Salt (lbs/acre)	Amount
TID Lateral 4	Surface water	0.00	0.00	0.00	49.96	14,276,250.00 *gal*
Application event totals		0.00	0.00	0.00	49.96	

Gomes - 06/07/2023: Corn, silage

Application date	Application method	Precipitation 24 hours prior	Precipitation during application	Precipitation 24 hours following
05/24/2023	Broadcast/incorporate	No precipitation	No precipitation	No precipitation

Source description	Material type	N (lbs/acre)	P (lbs/acre)	K (lbs/acre)	Salt (lbs/acre)	Amount
Corral Solids	Corral solids	205.42	47.08	273.12	3,000.48	450.00 *ton*
Application event totals		205.42	47.08	273.12	3,000.48	

06/07/2023	Sidedress	No precipitation	No precipitation	No precipitation

Source description	Material type	N (lbs/acre)	P (lbs/acre)	K (lbs/acre)	Salt (lbs/acre)	Amount
4-10-10	Solid commercial fertilizer	14.64	15.74	30.38	0.00	
Application event totals		14.64	15.74	30.38	0.00	

07/05/2023	Surface (irrigation)	No precipitation	No precipitation	No precipitation

Source description	Material type	N (lbs/acre)	P (lbs/acre)	K (lbs/acre)	Salt (lbs/acre)	Amount
TID Lateral 4	Surface water	0.00	0.00	0.00	31.18	8,910,000.00 *gal*
Application event totals		0.00	0.00	0.00	31.18	

07/03/2023	Sidedress	No precipitation	No precipitation	No precipitation

Source description	Material type	N (lbs/acre)	P (lbs/acre)	K (lbs/acre)	Salt (lbs/acre)	Amount
UN 32	Solid commercial fertilizer	80.00	0.00	0.00	0.00	
Application event totals		80.00	0.00	0.00	0.00	

07/15/2023	Surface (irrigation)	No precipitation	No precipitation	No precipitation

Source description	Material type	N (lbs/acre)	P (lbs/acre)	K (lbs/acre)	Salt (lbs/acre)	Amount
TID Lateral 4	Surface water	0.00	0.00	0.00	20.91	5,973,750.00 *gal*
Application event totals		0.00	0.00	0.00	20.91	

07/23/2023	Surface (irrigation)	No precipitation	No precipitation	No precipitation

Source description	Material type	N (lbs/acre)	P (lbs/acre)	K (lbs/acre)	Salt (lbs/acre)	Amount
TID Lateral 4	Surface water	0.00	0.00	0.00	22.32	6,378,750.00 *gal*
Application event totals		0.00	0.00	0.00	22.32	

Gomes - 06/07/2023: Corn, silage

Application date	Application method	Precipitation 24 hours prior	Precipitation during application	Precipitation 24 hours following
08/02/2023	Surface (irrigation)	No precipitation	No precipitation	No precipitation

Source description	Material type	N (lbs/acre)	P (lbs/acre)	K (lbs/acre)	Salt (lbs/acre)	Amount
TID Lateral 4	Surface water	0.00	0.00	0.00	19.13	5,467,500.00 *gal*
Application event totals		0.00	0.00	0.00	19.13	

08/11/2023	Surface (irrigation)	No precipitation	No precipitation	No precipitation

Source description	Material type	N (lbs/acre)	P (lbs/acre)	K (lbs/acre)	Salt (lbs/acre)	Amount
TID Lateral 4	Surface water	0.00	0.00	0.00	19.13	5,467,500.00 *gal*
Application event totals		0.00	0.00	0.00	19.13	

08/19/2023	Surface (irrigation)	No precipitation	No precipitation	No precipitation

Source description	Material type	N (lbs/acre)	P (lbs/acre)	K (lbs/acre)	Salt (lbs/acre)	Amount
TID Lateral 4	Surface water	0.00	0.00	0.00	19.84	5,670,000.00 *gal*
Application event totals		0.00	0.00	0.00	19.84	

08/27/2023	Surface (irrigation)	No precipitation	No precipitation	No precipitation

Source description	Material type	N (lbs/acre)	P (lbs/acre)	K (lbs/acre)	Salt (lbs/acre)	Amount
TID Lateral 4	Surface water	0.00	0.00	0.00	19.84	5,670,000.00 *gal*
Application event totals		0.00	0.00	0.00	19.84	

09/05/2023	Surface (irrigation)	No precipitation	No precipitation	No precipitation

Source description	Material type	N (lbs/acre)	P (lbs/acre)	K (lbs/acre)	Salt (lbs/acre)	Amount
TID Lateral 4	Surface water	0.00	0.00	0.00	19.84	5,670,000.00 *gal*
Application event totals		0.00	0.00	0.00	19.84	

09/14/2023	Surface (irrigation)	No precipitation	No precipitation	No precipitation

Source description	Material type	N (lbs/acre)	P (lbs/acre)	K (lbs/acre)	Salt (lbs/acre)	Amount
TID Lateral 4	Surface water	0.00	0.00	0.00	21.97	6,277,500.00 *gal*
Application event totals		0.00	0.00	0.00	21.97	

Goodlowe's - 11/18/2022: Oats, silage-soft dough

Goodlowe's - 11/18/2022: Oats, silage-soft dough

Field name: Goodlowe's

Crop: Oats, silage-soft dough

Plant date: 11/18/2022

Application date	Application method	Precipitation 24 hours prior	Precipitation during application	Precipitation 24 hours following
04/12/2023	Surface (irrigation)	No precipitation	No precipitation	No precipitation

Source description	Material type	N (lbs/acre)	P (lbs/acre)	K (lbs/acre)	Salt (lbs/acre)	Amount
WWS	Process wastewater	110.27	10.99	141.37	1,093.29	768,000.00 *gal*
TID Lateral 4	Surface water	0.00	0.00	0.00	41.35	6,480,000.00 *gal*
Application event totals		110.27	10.99	141.37	1,134.65	

Application date	Application method	Precipitation 24 hours prior	Precipitation during application	Precipitation 24 hours following
04/26/2023	Surface (irrigation)	No precipitation	No precipitation	No precipitation

Source description	Material type	N (lbs/acre)	P (lbs/acre)	K (lbs/acre)	Salt (lbs/acre)	Amount
WWS	Process wastewater	89.60	8.93	114.87	888.30	624,000.00 *gal*
TID Lateral 4	Surface water	0.00	0.00	0.00	33.60	5,265,000.00 *gal*
Application event totals		89.60	8.93	114.87	921.90	

Goodlowe's - 06/03/2023: Corn, silage

Field name: Goodlowe's

Crop: Corn, silage

Plant date: 06/03/2023

Application date	Application method	Precipitation 24 hours prior	Precipitation during application	Precipitation 24 hours following
05/23/2023	Surface (irrigation)	No precipitation	No precipitation	No precipitation

Source description	Material type	N (lbs/acre)	P (lbs/acre)	K (lbs/acre)	Salt (lbs/acre)	Amount
TID Lateral 4	Surface water	0.00	0.00	0.00	56.86	8,910,000.00 *gal*
Application event totals		0.00	0.00	0.00	56.86	

Application date	Application method	Precipitation 24 hours prior	Precipitation during application	Precipitation 24 hours following
06/27/2023	Surface (irrigation)	No precipitation	No precipitation	No precipitation

Source description	Material type	N (lbs/acre)	P (lbs/acre)	K (lbs/acre)	Salt (lbs/acre)	Amount
TID Lateral 4	Surface water	0.00	0.00	0.00	41.35	6,480,000.00 *gal*
Application event totals		0.00	0.00	0.00	41.35	

Goodlowe's - 06/03/2023: Corn, silage

Application date	Application method	Precipitation 24 hours prior	Precipitation during application	Precipitation 24 hours following
07/05/2023	Surface (irrigation)	No precipitation	No precipitation	No precipitation

Source description	Material type	N (lbs/acre)	P (lbs/acre)	K (lbs/acre)	Salt (lbs/acre)	Amount
WWS	Process wastewater	32.70	1.72	36.00	314.79	384,000.00 *gal*
TID Lateral 4	Surface water	0.00	0.00	0.00	20.68	3,240,000.00 *gal*
Application event totals		32.70	1.72	36.00	335.47	

07/15/2023	Surface (irrigation)	No precipitation	No precipitation	No precipitation

Source description	Material type	N (lbs/acre)	P (lbs/acre)	K (lbs/acre)	Salt (lbs/acre)	Amount
WWS	Process wastewater	32.70	1.72	36.00	314.79	384,000.00 *gal*
TID Lateral 4	Surface water	0.00	0.00	0.00	20.68	3,240,000.00 *gal*
Application event totals		32.70	1.72	36.00	335.47	

07/24/2023	Surface (irrigation)	No precipitation	No precipitation	No precipitation

Source description	Material type	N (lbs/acre)	P (lbs/acre)	K (lbs/acre)	Salt (lbs/acre)	Amount
WWS	Process wastewater	69.50	3.67	76.51	668.94	816,000.00 *gal*
TID Lateral 4	Surface water	0.00	0.00	0.00	43.94	6,885,000.00 *gal*
Application event totals		69.50	3.67	76.51	712.87	

08/02/2023	Surface (irrigation)	No precipitation	No precipitation	No precipitation

Source description	Material type	N (lbs/acre)	P (lbs/acre)	K (lbs/acre)	Salt (lbs/acre)	Amount
WWS	Process wastewater	51.10	2.69	56.26	491.86	600,000.00 *gal*
TID Lateral 4	Surface water	0.00	0.00	0.00	32.31	5,062,500.00 *gal*
Application event totals		51.10	2.69	56.26	524.17	

08/10/2023	Surface (irrigation)	No precipitation	No precipitation	No precipitation

Source description	Material type	N (lbs/acre)	P (lbs/acre)	K (lbs/acre)	Salt (lbs/acre)	Amount
WWS	Process wastewater	32.70	1.72	36.00	314.79	384,000.00 *gal*
TID Lateral 4	Surface water	0.00	0.00	0.00	20.68	3,240,000.00 *gal*
Application event totals		32.70	1.72	36.00	335.47	

Goodlowe's - 06/03/2023: Corn, silage

Application date	Application method	Precipitation 24 hours prior	Precipitation during application	Precipitation 24 hours following
08/17/2023	Surface (irrigation)	No precipitation	No precipitation	No precipitation

Source description	Material type	N (lbs/acre)	P (lbs/acre)	K (lbs/acre)	Salt (lbs/acre)	Amount
WWS	Process wastewater	32.70	1.72	36.00	314.79	384,000.00 *gal*
TID Lateral 4	Surface water	0.00	0.00	0.00	20.68	3,240,000.00 *gal*
Application event totals		32.70	1.72	36.00	335.47	

Application date	Application method	Precipitation 24 hours prior	Precipitation during application	Precipitation 24 hours following
08/26/2023	Surface (irrigation)	No precipitation	No precipitation	No precipitation

Source description	Material type	N (lbs/acre)	P (lbs/acre)	K (lbs/acre)	Salt (lbs/acre)	Amount
WWS	Process wastewater	36.79	1.94	40.50	354.14	432,000.00 *gal*
TID Lateral 4	Surface water	0.00	0.00	0.00	23.26	3,645,000.00 *gal*
Application event totals		36.79	1.94	40.50	377.40	

Application date	Application method	Precipitation 24 hours prior	Precipitation during application	Precipitation 24 hours following
09/05/2023	Surface (irrigation)	No precipitation	No precipitation	No precipitation

Source description	Material type	N (lbs/acre)	P (lbs/acre)	K (lbs/acre)	Salt (lbs/acre)	Amount
WWS	Process wastewater	28.62	1.51	31.50	275.44	336,000.00 *gal*
TID Lateral 4	Surface water	0.00	0.00	0.00	18.09	2,835,000.00 *gal*
Application event totals		28.62	1.51	31.50	293.54	

Jones - 05/14/2018: Almond, in shell

Field name: Jones

Crop: Almond, in shell

Plant date: 05/14/2018

Application date	Application method	Precipitation 24 hours prior	Precipitation during application	Precipitation 24 hours following
04/01/2023	Surface (irrigation)	No precipitation	No precipitation	No precipitation

Source description	Material type	N (lbs/acre)	P (lbs/acre)	K (lbs/acre)	Salt (lbs/acre)	Amount
TID Lateral 4	Surface water	0.00	0.00	0.00	23.56	7,056,986.00 *gal*
Application event totals		0.00	0.00	0.00	23.56	

Jones - 05/14/2018: Almond, in shell

Application date	Application method	Precipitation 24 hours prior	Precipitation during application	Precipitation 24 hours following
04/01/2023	Sidedress	No precipitation	No precipitation	No precipitation

Source description	Material type	N (lbs/acre)	P (lbs/acre)	K (lbs/acre)	Salt (lbs/acre)	Amount
UN 32	Solid commercial fertilizer	28.80	0.00	0.00	0.00	
Application event totals		28.80	0.00	0.00	0.00	

05/01/2023	Surface (irrigation)	No precipitation	No precipitation	No precipitation

Source description	Material type	N (lbs/acre)	P (lbs/acre)	K (lbs/acre)	Salt (lbs/acre)	Amount
TID Lateral 4	Surface water	0.00	0.00	0.00	47.11	14,113,972.00 *gal*
Application event totals		0.00	0.00	0.00	47.11	

05/01/2023	Surface (irrigation)	No precipitation	No precipitation	No precipitation

Source description	Material type	N (lbs/acre)	P (lbs/acre)	K (lbs/acre)	Salt (lbs/acre)	Amount
UN 32	Solid commercial fertilizer	28.80	0.00	0.00	0.00	
Application event totals		28.80	0.00	0.00	0.00	

06/01/2023	Surface (irrigation)	No precipitation	No precipitation	No precipitation

Source description	Material type	N (lbs/acre)	P (lbs/acre)	K (lbs/acre)	Salt (lbs/acre)	Amount
TID Lateral 4	Surface water	0.00	0.00	0.00	47.11	14,113,972.00 *gal*
Application event totals		0.00	0.00	0.00	47.11	

06/01/2023	Sidedress	No precipitation	No precipitation	No precipitation

Source description	Material type	N (lbs/acre)	P (lbs/acre)	K (lbs/acre)	Salt (lbs/acre)	Amount
UN 32	Solid commercial fertilizer	28.80	0.00	0.00	0.00	
Application event totals		28.80	0.00	0.00	0.00	

07/01/2023	Surface (irrigation)	No precipitation	No precipitation	No precipitation

Source description	Material type	N (lbs/acre)	P (lbs/acre)	K (lbs/acre)	Salt (lbs/acre)	Amount
TID Lateral 4	Surface water	0.00	0.00	0.00	47.11	14,113,972.00 *gal*
Application event totals		0.00	0.00	0.00	47.11	

Jones - 05/14/2018: Almond, in shell

Application date	Application method	Precipitation 24 hours prior	Precipitation during application	Precipitation 24 hours following
07/01/2023	Sidedress	No precipitation	No precipitation	No precipitation

Source description	Material type	N (lbs/acre)	P (lbs/acre)	K (lbs/acre)	Salt (lbs/acre)	Amount
UN 32	Solid commercial fertilizer	28.80	0.00	0.00	0.00	
Application event totals		28.80	0.00	0.00	0.00	

Application date	Application method	Precipitation 24 hours prior	Precipitation during application	Precipitation 24 hours following
08/01/2023	Surface (irrigation)	No precipitation	No precipitation	No precipitation

Source description	Material type	N (lbs/acre)	P (lbs/acre)	K (lbs/acre)	Salt (lbs/acre)	Amount
TID Lateral 4	Surface water	0.00	0.00	0.00	47.11	14,113,972.00 *gal*
Application event totals		0.00	0.00	0.00	47.11	

Application date	Application method	Precipitation 24 hours prior	Precipitation during application	Precipitation 24 hours following
09/01/2023	Surface (irrigation)	No precipitation	No precipitation	No precipitation

Source description	Material type	N (lbs/acre)	P (lbs/acre)	K (lbs/acre)	Salt (lbs/acre)	Amount
TID Lateral 4	Surface water	0.00	0.00	0.00	23.56	7,056,986.00 *gal*
Application event totals		0.00	0.00	0.00	23.56	

Justin's - 11/08/2021: Alfalfa, hay

Field name: Justin's

Crop: Alfalfa, hay

Plant date: 11/08/2021

Application date	Application method	Precipitation 24 hours prior	Precipitation during application	Precipitation 24 hours following
05/02/2023	Surface (irrigation)	No precipitation	No precipitation	No precipitation

Source description	Material type	N (lbs/acre)	P (lbs/acre)	K (lbs/acre)	Salt (lbs/acre)	Amount
TID Lateral 4	Surface water	0.00	0.00	0.00	24.41	2,025,000.00 *gal*
Application event totals		0.00	0.00	0.00	24.41	

Application date	Application method	Precipitation 24 hours prior	Precipitation during application	Precipitation 24 hours following
05/29/2023	Surface (irrigation)	No precipitation	No precipitation	No precipitation

Source description	Material type	N (lbs/acre)	P (lbs/acre)	K (lbs/acre)	Salt (lbs/acre)	Amount
TID Lateral 4	Surface water	0.00	0.00	0.00	29.29	2,430,000.00 *gal*
Application event totals		0.00	0.00	0.00	29.29	

Justin's - 11/08/2021: Alfalfa, hay

Application date	Application method	Precipitation 24 hours prior	Precipitation during application	Precipitation 24 hours following
06/26/2023	Surface (irrigation)	No precipitation	No precipitation	No precipitation

Source description	Material type	N (lbs/acre)	P (lbs/acre)	K (lbs/acre)	Salt (lbs/acre)	Amount
TID Lateral 4	Surface water	0.00	0.00	0.00	34.17	2,835,000.00 *gal*
Application event totals		0.00	0.00	0.00	34.17	

Application date	Application method	Precipitation 24 hours prior	Precipitation during application	Precipitation 24 hours following
07/23/2023	Surface (irrigation)	No precipitation	No precipitation	No precipitation

Source description	Material type	N (lbs/acre)	P (lbs/acre)	K (lbs/acre)	Salt (lbs/acre)	Amount
WWS	Process wastewater	85.32	10.19	92.73	757.06	432,000.00 *gal*
TID Lateral 4	Surface water	0.00	0.00	0.00	43.94	3,645,000.00 *gal*
Application event totals		85.32	10.19	92.73	800.99	

Application date	Application method	Precipitation 24 hours prior	Precipitation during application	Precipitation 24 hours following
08/26/2023	Surface (irrigation)	No precipitation	No precipitation	No precipitation

Source description	Material type	N (lbs/acre)	P (lbs/acre)	K (lbs/acre)	Salt (lbs/acre)	Amount
TID Lateral 4	Surface water	0.00	0.00	0.00	24.41	2,025,000.00 *gal*
Application event totals		0.00	0.00	0.00	24.41	

Application date	Application method	Precipitation 24 hours prior	Precipitation during application	Precipitation 24 hours following
09/25/2023	Surface (irrigation)	No precipitation	No precipitation	No precipitation

Source description	Material type	N (lbs/acre)	P (lbs/acre)	K (lbs/acre)	Salt (lbs/acre)	Amount
TID Lateral 4	Surface water	0.00	0.00	0.00	25.63	2,126,250.00 *gal*
Application event totals		0.00	0.00	0.00	25.63	

Lamb's - 11/15/2022: Oats, silage-soft dough

Field name: Lamb's

Crop: Oats, silage-soft dough

Plant date: 11/15/2022

Application date	Application method	Precipitation 24 hours prior	Precipitation during application	Precipitation 24 hours following

Lamb's - 11/15/2022: Oats, silage-soft dough

Application date	Application method	Precipitation 24 hours prior	Precipitation during application	Precipitation 24 hours following
04/10/2023	Surface (irrigation)	No precipitation	No precipitation	No precipitation

Source description	Material type	N (lbs/acre)	P (lbs/acre)	K (lbs/acre)	Salt (lbs/acre)	Amount
WWS	Process wastewater	96.01	9.57	123.09	951.89	708,000.00 *gal*
TID Lateral 4	Surface water	0.00	0.00	0.00	36.00	5,973,750.00 *gal*
Application event totals		96.01	9.57	123.09	987.89	

04/24/2023	Surface (irrigation)	No precipitation	No precipitation	No precipitation

Source description	Material type	N (lbs/acre)	P (lbs/acre)	K (lbs/acre)	Salt (lbs/acre)	Amount
WWS	Process wastewater	91.13	9.08	116.83	903.49	672,000.00 *gal*
TID Lateral 4	Surface water	0.00	0.00	0.00	34.17	5,670,000.00 *gal*
Application event totals		91.13	9.08	116.83	937.66	

Lamb's - 05/29/2023: Corn, silage

Field name: Lamb's

Crop: Corn, silage

Plant date: 05/29/2023

Application date	Application method	Precipitation 24 hours prior	Precipitation during application	Precipitation 24 hours following
05/19/2023	Surface (irrigation)	No precipitation	No precipitation	No precipitation

Source description	Material type	N (lbs/acre)	P (lbs/acre)	K (lbs/acre)	Salt (lbs/acre)	Amount
TID Lateral 4	Surface water	0.00	0.00	0.00	31.12	5,163,750.00 *gal*
Application event totals		0.00	0.00	0.00	31.12	

06/20/2023	Surface (irrigation)	No precipitation	No precipitation	No precipitation

Source description	Material type	N (lbs/acre)	P (lbs/acre)	K (lbs/acre)	Salt (lbs/acre)	Amount
WWS	Process wastewater	76.61	4.67	108.30	868.21	648,000.00 *gal*
TID Lateral 4	Surface water	0.00	0.00	0.00	32.95	5,467,500.00 *gal*
Application event totals		76.61	4.67	108.30	901.17	

Lamb's - 05/29/2023: Corn, silage

Application date	Application method	Precipitation 24 hours prior	Precipitation during application	Precipitation 24 hours following
06/29/2023	Surface (irrigation)	No precipitation	No precipitation	No precipitation

Source description	Material type	N (lbs/acre)	P (lbs/acre)	K (lbs/acre)	Salt (lbs/acre)	Amount
WWS	Process wastewater	51.07	3.11	72.20	578.81	432,000.00 *gal*
TID Lateral 4	Surface water	0.00	0.00	0.00	21.97	3,645,000.00 *gal*
Application event totals		51.07	3.11	72.20	600.78	

07/09/2023	Surface (irrigation)	No precipitation	No precipitation	No precipitation

Source description	Material type	N (lbs/acre)	P (lbs/acre)	K (lbs/acre)	Salt (lbs/acre)	Amount
WWS	Process wastewater	31.85	1.68	35.07	306.60	396,000.00 *gal*
TID Lateral 4	Surface water	0.00	0.00	0.00	20.14	3,341,250.00 *gal*
Application event totals		31.85	1.68	35.07	326.73	

07/16/2023	Surface (irrigation)	No precipitation	No precipitation	No precipitation

Source description	Material type	N (lbs/acre)	P (lbs/acre)	K (lbs/acre)	Salt (lbs/acre)	Amount
WWS	Process wastewater	36.68	1.93	40.38	353.05	456,000.00 *gal*
TID Lateral 4	Surface water	0.00	0.00	0.00	23.19	3,847,500.00 *gal*
Application event totals		36.68	1.93	40.38	376.24	

07/22/2023	Surface (irrigation)	No precipitation	No precipitation	No precipitation

Source description	Material type	N (lbs/acre)	P (lbs/acre)	K (lbs/acre)	Salt (lbs/acre)	Amount
WWS	Process wastewater	32.82	1.73	36.13	315.89	408,000.00 *gal*
TID Lateral 4	Surface water	0.00	0.00	0.00	20.75	3,442,500.00 *gal*
Application event totals		32.82	1.73	36.13	336.63	

07/29/2023	Surface (irrigation)	No precipitation	No precipitation	No precipitation

Source description	Material type	N (lbs/acre)	P (lbs/acre)	K (lbs/acre)	Salt (lbs/acre)	Amount
WWS	Process wastewater	33.78	1.78	37.19	325.18	420,000.00 *gal*
TID Lateral 4	Surface water	0.00	0.00	0.00	21.36	3,543,750.00 *gal*
Application event totals		33.78	1.78	37.19	346.53	

Lamb's - 05/29/2023: Corn, silage

Application date	Application method	Precipitation 24 hours prior	Precipitation during application	Precipitation 24 hours following
08/07/2023	Surface (irrigation)	No precipitation	No precipitation	No precipitation

Source description	Material type	N (lbs/acre)	P (lbs/acre)	K (lbs/acre)	Salt (lbs/acre)	Amount
WWS	Process wastewater	43.44	2.29	47.82	418.08	540,000.00 *gal*
TID Lateral 4	Surface water	0.00	0.00	0.00	27.46	4,556,250.00 *gal*
Application event totals		43.44	2.29	47.82	445.54	

Application date	Application method	Precipitation 24 hours prior	Precipitation during application	Precipitation 24 hours following
08/14/2023	Surface (irrigation)	No precipitation	No precipitation	No precipitation

Source description	Material type	N (lbs/acre)	P (lbs/acre)	K (lbs/acre)	Salt (lbs/acre)	Amount
WWS	Process wastewater	42.47	2.24	46.75	408.79	528,000.00 *gal*
TID Lateral 4	Surface water	0.00	0.00	0.00	26.85	4,455,000.00 *gal*
Application event totals		42.47	2.24	46.75	435.64	

Application date	Application method	Precipitation 24 hours prior	Precipitation during application	Precipitation 24 hours following
08/22/2023	Surface (irrigation)	No precipitation	No precipitation	No precipitation

Source description	Material type	N (lbs/acre)	P (lbs/acre)	K (lbs/acre)	Salt (lbs/acre)	Amount
WWS	Process wastewater	38.61	2.04	42.50	371.63	480,000.00 *gal*
TID Lateral 4	Surface water	0.00	0.00	0.00	24.41	4,050,000.00 *gal*
Application event totals		38.61	2.04	42.50	396.04	

Application date	Application method	Precipitation 24 hours prior	Precipitation during application	Precipitation 24 hours following
08/30/2023	Surface (irrigation)	No precipitation	No precipitation	No precipitation

Source description	Material type	N (lbs/acre)	P (lbs/acre)	K (lbs/acre)	Salt (lbs/acre)	Amount
TID Lateral 4	Surface water	0.00	0.00	0.00	25.63	4,252,500.00 *gal*
Application event totals		0.00	0.00	0.00	25.63	

Mitchell Trees - 02/01/2001: Almond, in shell

Field name: Mitchell Trees

Crop: Almond, in shell

Plant date: 02/01/2001

Application date	Application method	Precipitation 24 hours prior	Precipitation during application	Precipitation 24 hours following

Mitchell Trees - 02/01/2001: Almond, in shell

Application date	Application method	Precipitation 24 hours prior	Precipitation during application	Precipitation 24 hours following
05/25/2023	Surface (irrigation)	No precipitation	No precipitation	No precipitation

Source description	Material type	N (lbs/acre)	P (lbs/acre)	K (lbs/acre)	Salt (lbs/acre)	Amount
TID Lateral 4	Surface water	0.00	0.00	0.00	50.77	10,530,000.00 *gal*
Application event totals		0.00	0.00	0.00	50.77	

05/25/2023	Sidedress	No precipitation	No precipitation	No precipitation

Source description	Material type	N (lbs/acre)	P (lbs/acre)	K (lbs/acre)	Salt (lbs/acre)	Amount
UN 32	Solid commercial fertilizer	28.80	0.00	0.00	0.00	
Application event totals		28.80	0.00	0.00	0.00	

06/11/2023	Surface (irrigation)	No precipitation	No precipitation	No precipitation

Source description	Material type	N (lbs/acre)	P (lbs/acre)	K (lbs/acre)	Salt (lbs/acre)	Amount
TID Lateral 4	Surface water	0.00	0.00	0.00	48.82	10,125,000.00 *gal*
Application event totals		0.00	0.00	0.00	48.82	

06/11/2023	Sidedress	No precipitation	No precipitation	No precipitation

Source description	Material type	N (lbs/acre)	P (lbs/acre)	K (lbs/acre)	Salt (lbs/acre)	Amount
UN 32	Solid commercial fertilizer	28.80	0.00	0.00	0.00	
Application event totals		28.80	0.00	0.00	0.00	

07/01/2023	Surface (irrigation)	No precipitation	No precipitation	No precipitation

Source description	Material type	N (lbs/acre)	P (lbs/acre)	K (lbs/acre)	Salt (lbs/acre)	Amount
WWS	Process wastewater	66.41	3.50	73.11	639.20	1,032,000.00 *gal*
TID Lateral 4	Surface water	0.00	0.00	0.00	41.98	8,707,500.00 *gal*
Application event totals		66.41	3.50	73.11	681.19	

07/17/2023	Surface (irrigation)	No precipitation	No precipitation	No precipitation

Source description	Material type	N (lbs/acre)	P (lbs/acre)	K (lbs/acre)	Salt (lbs/acre)	Amount
WWS	Process wastewater	61.78	3.26	68.01	594.61	960,000.00 *gal*
TID Lateral 4	Surface water	0.00	0.00	0.00	39.05	8,100,000.00 *gal*
Application event totals		61.78	3.26	68.01	633.66	

Mitchell Trees - 02/01/2001: Almond, in shell

Application date	Application method	Precipitation 24 hours prior	Precipitation during application	Precipitation 24 hours following
08/01/2023	Surface (irrigation)	No precipitation	No precipitation	No precipitation

Source description	Material type	N (lbs/acre)	P (lbs/acre)	K (lbs/acre)	Salt (lbs/acre)	Amount
TID Lateral 4	Surface water	0.00	0.00	0.00	46.38	9,618,750.00 *gal*
Application event totals		0.00	0.00	0.00	46.38	

Application date	Application method	Precipitation 24 hours prior	Precipitation during application	Precipitation 24 hours following
08/16/2023	Surface (irrigation)	No precipitation	No precipitation	No precipitation

Source description	Material type	N (lbs/acre)	P (lbs/acre)	K (lbs/acre)	Salt (lbs/acre)	Amount
TID Lateral 4	Surface water	0.00	0.00	0.00	38.08	7,897,500.00 *gal*
Application event totals		0.00	0.00	0.00	38.08	

Application date	Application method	Precipitation 24 hours prior	Precipitation during application	Precipitation 24 hours following
08/31/2023	Surface (irrigation)	No precipitation	No precipitation	No precipitation

Source description	Material type	N (lbs/acre)	P (lbs/acre)	K (lbs/acre)	Salt (lbs/acre)	Amount
TID Lateral 4	Surface water	0.00	0.00	0.00	39.05	8,100,000.00 *gal*
Application event totals		0.00	0.00	0.00	39.05	

Pit - 11/18/2022: Oats, silage-soft dough

Field name: Pit

Crop: Oats, silage-soft dough

Plant date: 11/18/2022

Application date	Application method	Precipitation 24 hours prior	Precipitation during application	Precipitation 24 hours following
04/12/2023	Surface (irrigation)	No precipitation	No precipitation	No precipitation

Source description	Material type	N (lbs/acre)	P (lbs/acre)	K (lbs/acre)	Salt (lbs/acre)	Amount
WWS	Process wastewater	108.79	10.84	139.48	1,078.65	312,000.00 *gal*
TID Lateral 4	Surface water	0.00	0.00	0.00	40.80	2,632,500.00 *gal*
Application event totals		108.79	10.84	139.48	1,119.45	

Pit - 11/18/2022: Oats, silage-soft dough

Application date	Application method	Precipitation 24 hours prior	Precipitation during application	Precipitation 24 hours following
04/26/2023	Surface (irrigation)	No precipitation	No precipitation	No precipitation

Source description	Material type	N (lbs/acre)	P (lbs/acre)	K (lbs/acre)	Salt (lbs/acre)	Amount
WWS	Process wastewater	100.43	10.01	128.75	995.68	288,000.00 *gal*
TID Lateral 4	Surface water	0.00	0.00	0.00	37.66	2,430,000.00 *gal*
Application event totals		100.43	10.01	128.75	1,033.34	

Pit - 06/04/2023: Corn, silage

Field name: Pit

Crop: Corn, silage

Plant date: 06/04/2023

Application date	Application method	Precipitation 24 hours prior	Precipitation during application	Precipitation 24 hours following
05/24/2023	Surface (irrigation)	No precipitation	No precipitation	No precipitation

Source description	Material type	N (lbs/acre)	P (lbs/acre)	K (lbs/acre)	Salt (lbs/acre)	Amount
TID Lateral 4	Surface water	0.00	0.00	0.00	62.77	4,050,000.00 *gal*
Application event totals		0.00	0.00	0.00	62.77	

06/28/2023	Surface (irrigation)	No precipitation	No precipitation	No precipitation

Source description	Material type	N (lbs/acre)	P (lbs/acre)	K (lbs/acre)	Salt (lbs/acre)	Amount
TID Lateral 4	Surface water	0.00	0.00	0.00	42.37	2,733,750.00 *gal*
Application event totals		0.00	0.00	0.00	42.37	

07/05/2023	Surface (irrigation)	No precipitation	No precipitation	No precipitation

Source description	Material type	N (lbs/acre)	P (lbs/acre)	K (lbs/acre)	Salt (lbs/acre)	Amount
WWS	Process wastewater	39.71	2.09	43.72	382.25	192,000.00 *gal*
TID Lateral 4	Surface water	0.00	0.00	0.00	25.11	1,620,000.00 *gal*
Application event totals		39.71	2.09	43.72	407.36	

Pit - 06/04/2023: Corn, silage

Application date	Application method	Precipitation 24 hours prior	Precipitation during application	Precipitation 24 hours following
07/15/2023	Surface (irrigation)	No precipitation	No precipitation	No precipitation

Source description	Material type	N (lbs/acre)	P (lbs/acre)	K (lbs/acre)	Salt (lbs/acre)	Amount
WWS	Process wastewater	39.71	2.09	43.72	382.25	192,000.00 *gal*
TID Lateral 4	Surface water	0.00	0.00	0.00	25.11	1,620,000.00 *gal*
Application event totals		39.71	2.09	43.72	407.36	

Application date	Application method	Precipitation 24 hours prior	Precipitation during application	Precipitation 24 hours following
07/25/2023	Surface (irrigation)	No precipitation	No precipitation	No precipitation

Source description	Material type	N (lbs/acre)	P (lbs/acre)	K (lbs/acre)	Salt (lbs/acre)	Amount
WWS	Process wastewater	79.43	4.19	87.44	764.50	384,000.00 *gal*
TID Lateral 4	Surface water	0.00	0.00	0.00	50.21	3,240,000.00 *gal*
Application event totals		79.43	4.19	87.44	814.71	

Application date	Application method	Precipitation 24 hours prior	Precipitation during application	Precipitation 24 hours following
08/02/2023	Surface (irrigation)	No precipitation	No precipitation	No precipitation

Source description	Material type	N (lbs/acre)	P (lbs/acre)	K (lbs/acre)	Salt (lbs/acre)	Amount
WWS	Process wastewater	49.64	2.62	54.65	477.81	240,000.00 *gal*
TID Lateral 4	Surface water	0.00	0.00	0.00	31.38	2,025,000.00 *gal*
Application event totals		49.64	2.62	54.65	509.19	

Application date	Application method	Precipitation 24 hours prior	Precipitation during application	Precipitation 24 hours following
08/11/2023	Surface (irrigation)	No precipitation	No precipitation	No precipitation

Source description	Material type	N (lbs/acre)	P (lbs/acre)	K (lbs/acre)	Salt (lbs/acre)	Amount
WWS	Process wastewater	49.64	2.62	54.65	477.81	240,000.00 *gal*
TID Lateral 4	Surface water	0.00	0.00	0.00	31.38	2,025,000.00 *gal*
Application event totals		49.64	2.62	54.65	509.19	

Application date	Application method	Precipitation 24 hours prior	Precipitation during application	Precipitation 24 hours following
08/17/2023	Surface (irrigation)	No precipitation	No precipitation	No precipitation

Source description	Material type	N (lbs/acre)	P (lbs/acre)	K (lbs/acre)	Salt (lbs/acre)	Amount
WWS	Process wastewater	39.71	2.09	43.72	382.25	192,000.00 *gal*
TID Lateral 4	Surface water	0.00	0.00	0.00	25.11	1,620,000.00 *gal*
Application event totals		39.71	2.09	43.72	407.36	

Pit - 06/04/2023: Corn, silage

Application date	Application method	Precipitation 24 hours prior	Precipitation during application	Precipitation 24 hours following
08/26/2023	Surface (irrigation)	No precipitation	No precipitation	No precipitation

Source description	Material type	N (lbs/acre)	P (lbs/acre)	K (lbs/acre)	Salt (lbs/acre)	Amount
WWS	Process wastewater	49.64	2.62	54.65	477.81	240,000.00 *gal*
TID Lateral 4	Surface water	0.00	0.00	0.00	31.38	2,025,000.00 *gal*
Application event totals		49.64	2.62	54.65	509.19	

09/05/2023	Surface (irrigation)	No precipitation	No precipitation	No precipitation

Source description	Material type	N (lbs/acre)	P (lbs/acre)	K (lbs/acre)	Salt (lbs/acre)	Amount
WWS	Process wastewater	49.64	2.62	54.65	477.81	240,000.00 *gal*
TID Lateral 4	Surface water	0.00	0.00	0.00	31.38	2,025,000.00 *gal*
Application event totals		49.64	2.62	54.65	509.19	

Pump - 11/17/2022: Oats, silage-soft dough

Field name: Pump

Crop: Oats, silage-soft dough

Plant date: 11/17/2022

Application date	Application method	Precipitation 24 hours prior	Precipitation during application	Precipitation 24 hours following
04/13/2023	Surface (irrigation)	No precipitation	No precipitation	No precipitation

Source description	Material type	N (lbs/acre)	P (lbs/acre)	K (lbs/acre)	Salt (lbs/acre)	Amount
WWS	Process wastewater	124.97	12.45	160.22	1,239.07	384,000.00 *gal*
TID Lateral 4	Surface water	0.00	0.00	0.00	46.87	3,240,000.00 *gal*
Application event totals		124.97	12.45	160.22	1,285.93	

04/26/2023	Surface (irrigation)	No precipitation	No precipitation	No precipitation

Source description	Material type	N (lbs/acre)	P (lbs/acre)	K (lbs/acre)	Salt (lbs/acre)	Amount
WWS	Process wastewater	97.64	9.73	125.18	968.02	300,000.00 *gal*
TID Lateral 4	Surface water	0.00	0.00	0.00	36.61	2,531,250.00 *gal*
Application event totals		97.64	9.73	125.18	1,004.63	

Pump - 06/06/2023: Corn, silage

Pump - 06/06/2023: Corn, silage

Field name: Pump

Crop: Corn, silage

Plant date: 06/06/2023

Application date	Application method	Precipitation 24 hours prior	Precipitation during application	Precipitation 24 hours following
05/26/2023	Surface (irrigation)	No precipitation	No precipitation	No precipitation

Source description	Material type	N (lbs/acre)	P (lbs/acre)	K (lbs/acre)	Salt (lbs/acre)	Amount
TID Lateral 4	Surface water	0.00	0.00	0.00	52.72	3,645,000.00 *gal*
Application event totals		0.00	0.00	0.00	52.72	

Application date	Application method	Precipitation 24 hours prior	Precipitation during application	Precipitation 24 hours following
06/27/2023	Surface (irrigation)	No precipitation	No precipitation	No precipitation

Source description	Material type	N (lbs/acre)	P (lbs/acre)	K (lbs/acre)	Salt (lbs/acre)	Amount
WWS	Process wastewater	113.26	11.29	145.20	1,122.90	348,000.00 *gal*
TID Lateral 4	Surface water	0.00	0.00	0.00	42.47	2,936,250.00 *gal*
Application event totals		113.26	11.29	145.20	1,165.38	

Application date	Application method	Precipitation 24 hours prior	Precipitation during application	Precipitation 24 hours following
07/05/2023	Surface (irrigation)	No precipitation	No precipitation	No precipitation

Source description	Material type	N (lbs/acre)	P (lbs/acre)	K (lbs/acre)	Salt (lbs/acre)	Amount
WWS	Process wastewater	32.43	1.71	35.70	312.17	168,000.00 *gal*
TID Lateral 4	Surface water	0.00	0.00	0.00	20.50	1,417,500.00 *gal*
Application event totals		32.43	1.71	35.70	332.67	

Application date	Application method	Precipitation 24 hours prior	Precipitation during application	Precipitation 24 hours following
07/15/2023	Surface (irrigation)	No precipitation	No precipitation	No precipitation

Source description	Material type	N (lbs/acre)	P (lbs/acre)	K (lbs/acre)	Salt (lbs/acre)	Amount
WWS	Process wastewater	32.43	1.71	35.70	312.17	168,000.00 *gal*
TID Lateral 4	Surface water	0.00	0.00	0.00	20.50	1,417,500.00 *gal*
Application event totals		32.43	1.71	35.70	332.67	

Application date	Application method	Precipitation 24 hours prior	Precipitation during application	Precipitation 24 hours following
07/24/2023	Surface (irrigation)	No precipitation	No precipitation	No precipitation

Source description	Material type	N (lbs/acre)	P (lbs/acre)	K (lbs/acre)	Salt (lbs/acre)	Amount
WWS	Process wastewater	69.50	3.67	76.51	668.94	360,000.00 *gal*
TID Lateral 4	Surface water	0.00	0.00	0.00	43.94	3,037,500.00 *gal*
Application event totals		69.50	3.67	76.51	712.87	

Pump - 06/06/2023: Corn, silage

Application date	Application method	Precipitation 24 hours prior	Precipitation during application	Precipitation 24 hours following
08/02/2023	Surface (irrigation)	No precipitation	No precipitation	No precipitation

Source description	Material type	N (lbs/acre)	P (lbs/acre)	K (lbs/acre)	Salt (lbs/acre)	Amount
WWS	Process wastewater	50.96	2.69	56.11	490.55	264,000.00 *gal*
TID Lateral 4	Surface water	0.00	0.00	0.00	32.22	2,227,500.00 *gal*
Application event totals		50.96	2.69	56.11	522.77	

08/10/2023	Surface (irrigation)	No precipitation	No precipitation	No precipitation

Source description	Material type	N (lbs/acre)	P (lbs/acre)	K (lbs/acre)	Salt (lbs/acre)	Amount
WWS	Process wastewater	32.43	1.71	35.70	312.17	168,000.00 *gal*
TID Lateral 4	Surface water	0.00	0.00	0.00	20.50	1,417,500.00 *gal*
Application event totals		32.43	1.71	35.70	332.67	

08/17/2023	Surface (irrigation)	No precipitation	No precipitation	No precipitation

Source description	Material type	N (lbs/acre)	P (lbs/acre)	K (lbs/acre)	Salt (lbs/acre)	Amount
WWS	Process wastewater	39.38	2.08	43.35	379.06	204,000.00 *gal*
TID Lateral 4	Surface water	0.00	0.00	0.00	24.90	1,721,250.00 *gal*
Application event totals		39.38	2.08	43.35	403.96	

08/26/2023	Surface (irrigation)	No precipitation	No precipitation	No precipitation

Source description	Material type	N (lbs/acre)	P (lbs/acre)	K (lbs/acre)	Salt (lbs/acre)	Amount
WWS	Process wastewater	37.07	1.95	40.80	356.77	192,000.00 *gal*
TID Lateral 4	Surface water	0.00	0.00	0.00	23.43	1,620,000.00 *gal*
Application event totals		37.07	1.95	40.80	380.20	

09/05/2023	Surface (irrigation)	No precipitation	No precipitation	No precipitation

Source description	Material type	N (lbs/acre)	P (lbs/acre)	K (lbs/acre)	Salt (lbs/acre)	Amount
WWS	Process wastewater	34.75	1.83	38.25	334.47	180,000.00 *gal*
TID Lateral 4	Surface water	0.00	0.00	0.00	21.97	1,518,750.00 *gal*
Application event totals		34.75	1.83	38.25	356.44	

Rick's 50 - 10/21/2022: Oats, silage-soft dough

Rick's 50 - 10/21/2022: Oats, silage-soft dough

Field name: Rick's 50

Crop: Oats, silage-soft dough

Plant date: 10/21/2022

Application date	Application method	Precipitation 24 hours prior	Precipitation during application	Precipitation 24 hours following
10/07/2022	Surface (irrigation)	No precipitation	No precipitation	No precipitation

Source description	Material type	N (lbs/acre)	P (lbs/acre)	K (lbs/acre)	Salt (lbs/acre)	Amount
WWS	Process wastewater	123.61	2.31	74.50	975.70	948,000.00 *gal*
TID Lateral 4	Surface water	0.00	0.00	0.00	0.00	7,998,750.00 *gal*
Application event totals		123.61	2.31	74.50	975.70	

04/12/2023	Surface (irrigation)	No precipitation	No precipitation	No precipitation

Source description	Material type	N (lbs/acre)	P (lbs/acre)	K (lbs/acre)	Salt (lbs/acre)	Amount
WWS	Process wastewater	78.11	7.78	100.14	774.42	768,000.00 *gal*
TID Lateral 4	Surface water	0.00	0.00	0.00	29.29	6,480,000.00 *gal*
Application event totals		78.11	7.78	100.14	803.71	

Rick's 50 - 05/11/2023: Corn, silage

Field name: Rick's 50

Crop: Corn, silage

Plant date: 05/11/2023

Application date	Application method	Precipitation 24 hours prior	Precipitation during application	Precipitation 24 hours following
05/01/2023	Surface (irrigation)	No precipitation	No precipitation	No precipitation

Source description	Material type	N (lbs/acre)	P (lbs/acre)	K (lbs/acre)	Salt (lbs/acre)	Amount
WWS	Process wastewater	51.89	6.82	81.93	625.86	904,500.00 *gal*
TID Lateral 4	Surface water	0.00	0.00	0.00	30.66	6,783,750.00 *gal*
Application event totals		51.89	6.82	81.93	656.52	

06/12/2023	Surface (irrigation)	No precipitation	No precipitation	No precipitation

Source description	Material type	N (lbs/acre)	P (lbs/acre)	K (lbs/acre)	Salt (lbs/acre)	Amount
TID Lateral 4	Surface water	0.00	0.00	0.00	27.00	5,973,750.00 *gal*
Application event totals		0.00	0.00	0.00	27.00	

Rick's 50 - 05/11/2023: Corn, silage

Application date	Application method	Precipitation 24 hours prior	Precipitation during application	Precipitation 24 hours following
06/22/2023	Surface (irrigation)	No precipitation	No precipitation	No precipitation

Source description	Material type	N (lbs/acre)	P (lbs/acre)	K (lbs/acre)	Salt (lbs/acre)	Amount
WWS	Process wastewater	23.24	3.06	36.68	280.24	405,000.00 *gal*
TID Lateral 4	Surface water	0.00	0.00	0.00	13.73	3,037,500.00 *gal*
Application event totals		23.24	3.06	36.68	293.97	

07/03/2023	Surface (irrigation)	No precipitation	No precipitation	No precipitation

Source description	Material type	N (lbs/acre)	P (lbs/acre)	K (lbs/acre)	Salt (lbs/acre)	Amount
WWS	Process wastewater	89.54	2.42	68.43	415.66	472,500.00 *gal*
TID Lateral 4	Surface water	0.00	0.00	0.00	16.02	3,543,750.00 *gal*
Application event totals		89.54	2.42	68.43	431.68	

07/13/2023	Surface (irrigation)	No precipitation	No precipitation	No precipitation

Source description	Material type	N (lbs/acre)	P (lbs/acre)	K (lbs/acre)	Salt (lbs/acre)	Amount
WWS	Process wastewater	97.21	2.63	74.29	451.29	513,000.00 *gal*
TID Lateral 4	Surface water	0.00	0.00	0.00	17.39	3,847,500.00 *gal*
Application event totals		97.21	2.63	74.29	468.68	

07/22/2023	Surface (irrigation)	No precipitation	No precipitation	No precipitation

Source description	Material type	N (lbs/acre)	P (lbs/acre)	K (lbs/acre)	Salt (lbs/acre)	Amount
TID Lateral 4	Surface water	0.00	0.00	0.00	18.31	4,050,000.00 *gal*
Application event totals		0.00	0.00	0.00	18.31	

07/31/2023	Surface (irrigation)	No precipitation	No precipitation	No precipitation

Source description	Material type	N (lbs/acre)	P (lbs/acre)	K (lbs/acre)	Salt (lbs/acre)	Amount
WWS	Process wastewater	99.77	2.70	76.25	463.16	526,500.00 *gal*
TID Lateral 4	Surface water	0.00	0.00	0.00	17.85	3,948,750.00 *gal*
Application event totals		99.77	2.70	76.25	481.01	

Rick's 50 - 05/11/2023: Corn, silage

Application date	Application method	Precipitation 24 hours prior	Precipitation during application	Precipitation 24 hours following
08/10/2023	Surface (irrigation)	No precipitation	No precipitation	No precipitation

Source description	Material type	N (lbs/acre)	P (lbs/acre)	K (lbs/acre)	Salt (lbs/acre)	Amount
TID Lateral 4	Surface water	0.00	0.00	0.00	10.98	2,430,000.00 *gal*
Application event totals		0.00	0.00	0.00	10.98	

Application date	Application method	Precipitation 24 hours prior	Precipitation during application	Precipitation 24 hours following
08/18/2023	Surface (irrigation)	No precipitation	No precipitation	No precipitation

Source description	Material type	N (lbs/acre)	P (lbs/acre)	K (lbs/acre)	Salt (lbs/acre)	Amount
TID Lateral 4	Surface water	0.00	0.00	0.00	17.39	3,847,500.00 *gal*
Application event totals		0.00	0.00	0.00	17.39	

RV Barn - 11/15/2022: Oats, silage-soft dough

Field name: RV Barn

Crop: Oats, silage-soft dough

Plant date: 11/15/2022

Application date	Application method	Precipitation 24 hours prior	Precipitation during application	Precipitation 24 hours following
04/10/2023	Surface (irrigation)	No precipitation	No precipitation	No precipitation

Source description	Material type	N (lbs/acre)	P (lbs/acre)	K (lbs/acre)	Salt (lbs/acre)	Amount
WWS	Process wastewater	98.66	9.83	126.49	978.21	768,000.00 *gal*
TID Lateral 4	Surface water	0.00	0.00	0.00	37.00	6,480,000.00 *gal*
Application event totals		98.66	9.83	126.49	1,015.21	

Application date	Application method	Precipitation 24 hours prior	Precipitation during application	Precipitation 24 hours following
04/24/2023	Surface (irrigation)	No precipitation	No precipitation	No precipitation

Source description	Material type	N (lbs/acre)	P (lbs/acre)	K (lbs/acre)	Salt (lbs/acre)	Amount
WWS	Process wastewater	98.66	9.83	126.49	978.21	768,000.00 *gal*
TID Lateral 4	Surface water	0.00	0.00	0.00	37.00	6,480,000.00 *gal*
Application event totals		98.66	9.83	126.49	1,015.21	

RV Barn - 05/27/2023: Corn, silage

RV Barn - 05/27/2023: Corn, silage

Field name: RV Barn

Crop: Corn, silage

Plant date: 05/27/2023

Application date	Application method	Precipitation 24 hours prior	Precipitation during application	Precipitation 24 hours following
05/17/2023	Surface (irrigation)	No precipitation	No precipitation	No precipitation

Source description	Material type	N (lbs/acre)	P (lbs/acre)	K (lbs/acre)	Salt (lbs/acre)	Amount
TID Lateral 4	Surface water	0.00	0.00	0.00	28.33	4,961,250.00 *gal*
Application event totals		0.00	0.00	0.00	28.33	

Application date	Application method	Precipitation 24 hours prior	Precipitation during application	Precipitation 24 hours following
06/21/2023	Surface (irrigation)	No precipitation	No precipitation	No precipitation

Source description	Material type	N (lbs/acre)	P (lbs/acre)	K (lbs/acre)	Salt (lbs/acre)	Amount
TID Lateral 4	Surface water	0.00	0.00	0.00	45.09	7,897,500.00 *gal*
Application event totals		0.00	0.00	0.00	45.09	

Application date	Application method	Precipitation 24 hours prior	Precipitation during application	Precipitation 24 hours following
06/30/2023	Surface (irrigation)	No precipitation	No precipitation	No precipitation

Source description	Material type	N (lbs/acre)	P (lbs/acre)	K (lbs/acre)	Salt (lbs/acre)	Amount
WWS	Process wastewater	48.38	2.95	68.40	548.35	432,000.00 *gal*
TID Lateral 4	Surface water	0.00	0.00	0.00	20.81	3,645,000.00 *gal*
Application event totals		48.38	2.95	68.40	569.16	

Application date	Application method	Precipitation 24 hours prior	Precipitation during application	Precipitation 24 hours following
07/09/2023	Surface (irrigation)	No precipitation	No precipitation	No precipitation

Source description	Material type	N (lbs/acre)	P (lbs/acre)	K (lbs/acre)	Salt (lbs/acre)	Amount
WWS	Process wastewater	40.24	2.12	44.29	387.28	528,000.00 *gal*
TID Lateral 4	Surface water	0.00	0.00	0.00	25.44	4,455,000.00 *gal*
Application event totals		40.24	2.12	44.29	412.72	

Application date	Application method	Precipitation 24 hours prior	Precipitation during application	Precipitation 24 hours following
07/16/2023	Surface (irrigation)	No precipitation	No precipitation	No precipitation

Source description	Material type	N (lbs/acre)	P (lbs/acre)	K (lbs/acre)	Salt (lbs/acre)	Amount
WWS	Process wastewater	32.92	1.74	36.24	316.86	432,000.00 *gal*
TID Lateral 4	Surface water	0.00	0.00	0.00	20.81	3,645,000.00 *gal*
Application event totals		32.92	1.74	36.24	337.68	

RV Barn - 05/27/2023: Corn, silage

Application date	Application method	Precipitation 24 hours prior	Precipitation during application	Precipitation 24 hours following
07/23/2023	Surface (irrigation)	No precipitation	No precipitation	No precipitation

Source description	Material type	N (lbs/acre)	P (lbs/acre)	K (lbs/acre)	Salt (lbs/acre)	Amount
WWS	Process wastewater	32.92	1.74	36.24	316.86	432,000.00 *gal*
TID Lateral 4	Surface water	0.00	0.00	0.00	20.81	3,645,000.00 *gal*
Application event totals		32.92	1.74	36.24	337.68	

07/29/2023	Surface (irrigation)	No precipitation	No precipitation	No precipitation

Source description	Material type	N (lbs/acre)	P (lbs/acre)	K (lbs/acre)	Salt (lbs/acre)	Amount
WWS	Process wastewater	40.24	2.12	44.29	387.28	528,000.00 *gal*
TID Lateral 4	Surface water	0.00	0.00	0.00	25.44	4,455,000.00 *gal*
Application event totals		40.24	2.12	44.29	412.72	

08/08/2023	Surface (irrigation)	No precipitation	No precipitation	No precipitation

Source description	Material type	N (lbs/acre)	P (lbs/acre)	K (lbs/acre)	Salt (lbs/acre)	Amount
WWS	Process wastewater	40.24	2.12	44.29	387.28	528,000.00 *gal*
TID Lateral 4	Surface water	0.00	0.00	0.00	25.44	4,455,000.00 *gal*
Application event totals		40.24	2.12	44.29	412.72	

08/15/2023	Surface (irrigation)	No precipitation	No precipitation	No precipitation

Source description	Material type	N (lbs/acre)	P (lbs/acre)	K (lbs/acre)	Salt (lbs/acre)	Amount
WWS	Process wastewater	43.89	2.31	48.32	422.49	576,000.00 *gal*
TID Lateral 4	Surface water	0.00	0.00	0.00	27.75	4,860,000.00 *gal*
Application event totals		43.89	2.31	48.32	450.23	

08/23/2023	Surface (irrigation)	No precipitation	No precipitation	No precipitation

Source description	Material type	N (lbs/acre)	P (lbs/acre)	K (lbs/acre)	Salt (lbs/acre)	Amount
WWS	Process wastewater	65.84	3.47	72.48	633.73	864,000.00 *gal*
TID Lateral 4	Surface water	0.00	0.00	0.00	41.62	7,290,000.00 *gal*
Application event totals		65.84	3.47	72.48	675.35	

RV Barn - 05/27/2023: Corn, silage

Application date	Application method	Precipitation 24 hours prior	Precipitation during application	Precipitation 24 hours following
08/30/2023	Surface (irrigation)	No precipitation	No precipitation	No precipitation

Source description	Material type	N (lbs/acre)	P (lbs/acre)	K (lbs/acre)	Salt (lbs/acre)	Amount
TID Lateral 4	Surface water	0.00	0.00	0.00	25.44	4,455,000.00 *gal*
Application event totals		0.00	0.00	0.00	25.44	

Shop - 02/01/1995: Almond, in shell

Field name: Shop

Crop: Almond, in shell

Plant date: 02/01/1995

Application date	Application method	Precipitation 24 hours prior	Precipitation during application	Precipitation 24 hours following
05/21/2023	Surface (irrigation)	No precipitation	No precipitation	No precipitation

Source description	Material type	N (lbs/acre)	P (lbs/acre)	K (lbs/acre)	Salt (lbs/acre)	Amount
TID Lateral 4	Surface water	0.00	0.00	0.00	47.93	2,430,000.00 *gal*
Application event totals		0.00	0.00	0.00	47.93	

05/21/2023	Sidedress	No precipitation	No precipitation	No precipitation

Source description	Material type	N (lbs/acre)	P (lbs/acre)	K (lbs/acre)	Salt (lbs/acre)	Amount
UN 32	Solid commercial fertilizer	28.80	0.00	0.00	0.00	
Application event totals		28.80	0.00	0.00	0.00	

06/08/2023	Surface (irrigation)	No precipitation	No precipitation	No precipitation

Source description	Material type	N (lbs/acre)	P (lbs/acre)	K (lbs/acre)	Salt (lbs/acre)	Amount
UN 32	Solid commercial fertilizer	28.80	0.00	0.00	0.00	
TID Lateral 4	Surface water	0.00	0.00	0.00	47.93	2,430,000.00 *gal*
Application event totals		28.80	0.00	0.00	47.93	

06/26/2023	Surface (irrigation)	No precipitation	No precipitation	No precipitation

Source description	Material type	N (lbs/acre)	P (lbs/acre)	K (lbs/acre)	Salt (lbs/acre)	Amount
TID Lateral 4	Surface water	0.00	0.00	0.00	39.94	2,025,000.00 *gal*
Application event totals		0.00	0.00	0.00	39.94	

Shop - 02/01/1995: Almond, in shell

Application date	Application method	Precipitation 24 hours prior	Precipitation during application	Precipitation 24 hours following
06/26/2023	Sidedress	No precipitation	No precipitation	No precipitation

Source description	Material type	N (lbs/acre)	P (lbs/acre)	K (lbs/acre)	Salt (lbs/acre)	Amount
UN 32	Solid commercial fertilizer	28.80	0.00	0.00	0.00	
Application event totals		28.80	0.00	0.00	0.00	

07/13/2023	Surface (irrigation)	No precipitation	No precipitation	No precipitation

Source description	Material type	N (lbs/acre)	P (lbs/acre)	K (lbs/acre)	Salt (lbs/acre)	Amount
TID Lateral 4	Surface water	0.00	0.00	0.00	39.94	2,025,000.00 *gal*
Application event totals		0.00	0.00	0.00	39.94	

07/13/2023	Sidedress	No precipitation	No precipitation	No precipitation

Source description	Material type	N (lbs/acre)	P (lbs/acre)	K (lbs/acre)	Salt (lbs/acre)	Amount
UN 32	Solid commercial fertilizer	28.80	0.00	0.00	0.00	
Application event totals		28.80	0.00	0.00	0.00	

07/26/2023	Surface (irrigation)	No precipitation	No precipitation	No precipitation

Source description	Material type	N (lbs/acre)	P (lbs/acre)	K (lbs/acre)	Salt (lbs/acre)	Amount
TID Lateral 4	Surface water	0.00	0.00	0.00	35.95	1,822,500.00 *gal*
Application event totals		0.00	0.00	0.00	35.95	

08/12/2023	Surface (irrigation)	No precipitation	No precipitation	No precipitation

Source description	Material type	N (lbs/acre)	P (lbs/acre)	K (lbs/acre)	Salt (lbs/acre)	Amount
TID Lateral 4	Surface water	0.00	0.00	0.00	31.95	1,620,000.00 *gal*
Application event totals		0.00	0.00	0.00	31.95	

08/26/2023	Surface (irrigation)	No precipitation	No precipitation	No precipitation

Source description	Material type	N (lbs/acre)	P (lbs/acre)	K (lbs/acre)	Salt (lbs/acre)	Amount
TID Lateral 4	Surface water	0.00	0.00	0.00	31.95	1,620,000.00 *gal*
Application event totals		0.00	0.00	0.00	31.95	

B. NUTRIENT BUDGET

7-7 - 10/25/2022: Oats, silage-soft dough

Field name: 7-7 Crop: Oats, silage-soft dough Plant date: 10/25/2022

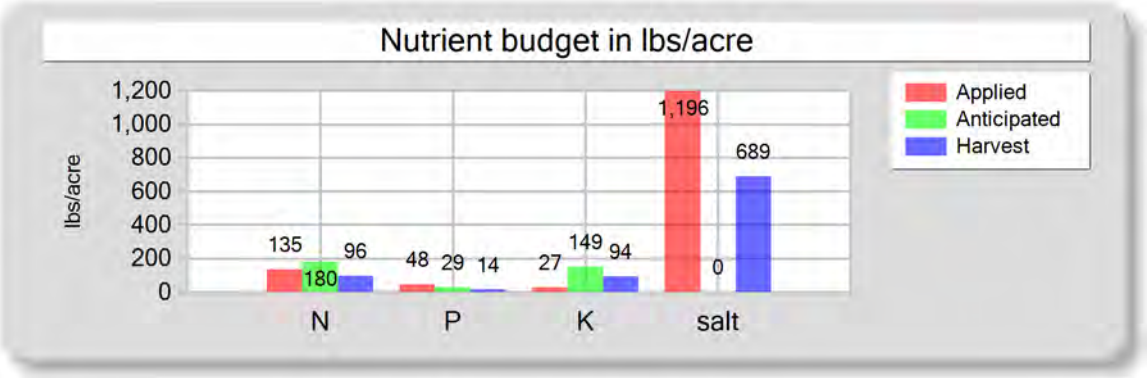

	Total N (lbs/acre)	Total P (lbs/acre)	Total K (lbs/acre)	Total salt (lbs/acre)
Existing soil nutrient content	0.00	0.00	0.00	0.00
Plowdown credit	0.00	0.00	0.00	0.00
Commercial fertilizer / Other	0.00	0.00	0.00	0.00
Dry manure	128.29	47.56	27.30	1,155.01
Process wastewater	0.00	0.00	0.00	0.00
Fresh water	0.00	0.00	0.00	40.80
Atmospheric deposition	7.00	0.00	0.00	0.00
Total nutrients applied	135.29	47.56	27.30	1,195.81
Anticipated crop nutrient removal	180.00	28.80	149.40	0.00
Actual crop nutrient removal	95.68	13.93	93.84	688.90
Nutrient balance	39.61	33.63	-66.54	506.91
Applied to removed ratio	1.41	3.41	0.29	1.74

Fresh water applied
12,656,250.00 *gallons*
466.09 *acre-inches*
13.32 *inches/acre*

Process wastewater applied
0.00 *gallons*
0.00 *acre-inches*
0.00 *inches/acre*

Total harvests for the crop
1 *harvests*

7-7 - 06/15/2023: Corn, silage

Field name: 7-7 Crop: Corn, silage Plant date: 06/15/2023

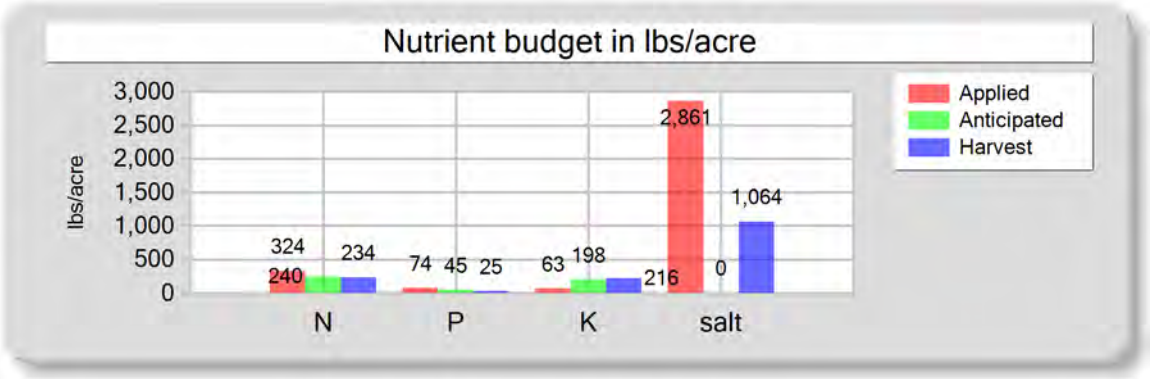

	Total N (lbs/acre)	Total P (lbs/acre)	Total K (lbs/acre)	Total salt (lbs/acre)
Existing soil nutrient content	0.00	0.00	0.00	0.00
Plowdown credit	0.00	0.00	0.00	0.00
Commercial fertilizer / Other	94.64	15.74	30.38	0.00
Dry manure	222.74	57.76	32.30	2,672.85
Process wastewater	0.00	0.00	0.00	0.00
Fresh water	0.00	0.00	0.00	188.30
Atmospheric deposition	7.00	0.00	0.00	0.00
Total nutrients applied	324.38	73.50	62.68	2,861.14
Anticipated crop nutrient removal	240.00	45.00	198.00	0.00
Actual crop nutrient removal	234.21	24.89	216.10	1,064.45
Nutrient balance	90.17	48.61	-153.43	1,796.70
Applied to removed ratio	1.39	2.95	0.29	2.69

Fresh water applied	
30,375,000.00	*gallons*
1,118.61	*acre-inches*
31.96	*inches/acre*

Process wastewater applied	
0.00	*gallons*
0.00	*acre-inches*
0.00	*inches/acre*

Total harvests for the crop	
1	*harvests*

Airstrip - 11/16/2022: Oats, silage-soft dough

Field name: Airstrip | Crop: Oats, silage-soft dough | Plant date: 11/16/2022

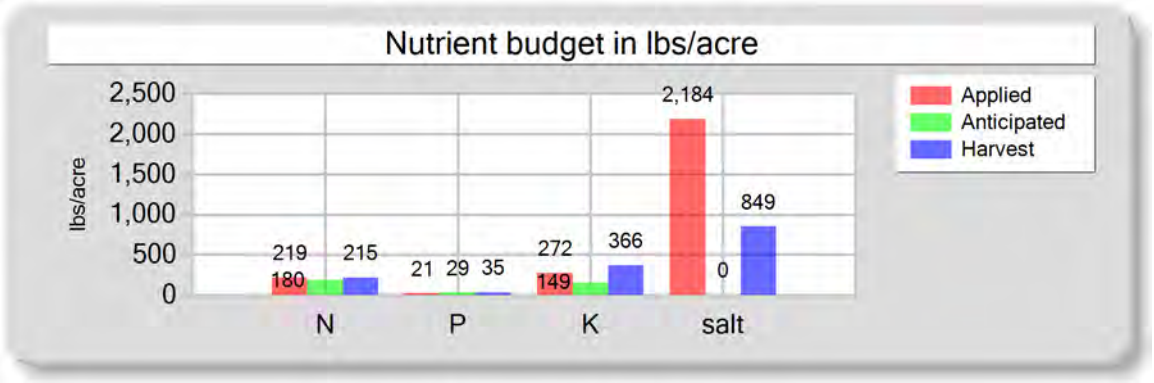

	Total N (lbs/acre)	Total P (lbs/acre)	Total K (lbs/acre)	Total salt (lbs/acre)
Existing soil nutrient content	0.00	0.00	0.00	0.00
Plowdown credit	0.00	0.00	0.00	0.00
Commercial fertilizer / Other	0.00	0.00	0.00	0.00
Dry manure	0.00	0.00	0.00	0.00
Process wastewater	212.22	21.15	272.08	2,104.07
Fresh water	0.00	0.00	0.00	79.58
Atmospheric deposition	7.00	0.00	0.00	0.00
Total nutrients applied	219.22	21.15	272.08	2,183.66
Anticipated crop nutrient removal	180.00	28.80	149.40	0.00
Actual crop nutrient removal	215.28	34.59	366.08	849.46
Nutrient balance	3.94	-13.44	-94.00	1,334.20
Applied to removed ratio	1.02	0.61	0.74	2.57

Fresh water applied	
19,440,000.00	*gallons*
715.91	*acre-inches*
13.51	*inches/acre*

Process wastewater applied	
2,304,000.00	*gallons*
84.85	*acre-inches*
1.60	*inches/acre*

Total harvests for the crop	
1	*harvests*

Airstrip - 05/28/2023: Corn, silage

Field name: Airstrip | Crop: Corn, silage | Plant date: 05/28/2023

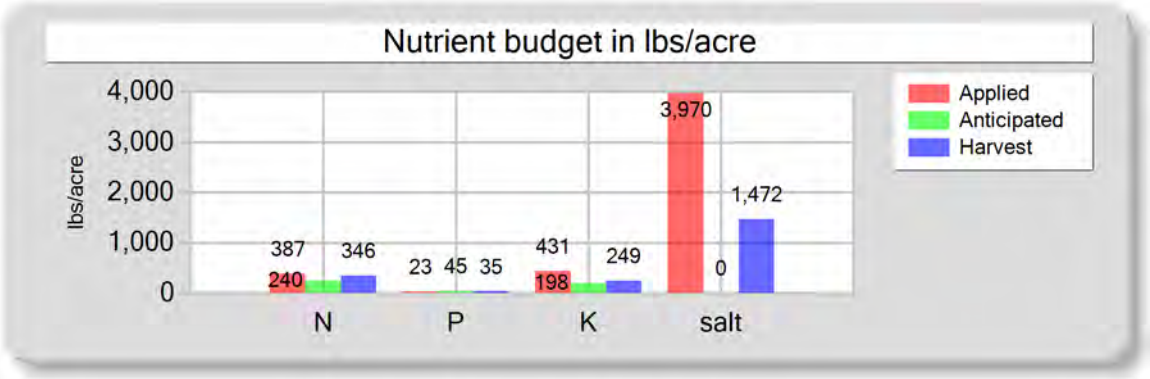

	Total N (lbs/acre)	Total P (lbs/acre)	Total K (lbs/acre)	Total salt (lbs/acre)
Existing soil nutrient content	0.00	0.00	0.00	0.00
Plowdown credit	0.00	0.00	0.00	0.00
Commercial fertilizer / Other	0.00	0.00	0.00	0.00
Dry manure	0.00	0.00	0.00	0.00
Process wastewater	380.37	23.17	430.75	3,680.35
Fresh water	0.00	0.00	0.00	289.69
Atmospheric deposition	7.00	0.00	0.00	0.00
Total nutrients applied	387.37	23.17	430.75	3,970.05
Anticipated crop nutrient removal	240.00	45.00	198.00	0.00
Actual crop nutrient removal	346.18	34.75	248.61	1,472.40
Nutrient balance	41.19	-11.58	182.14	2,497.64
Applied to removed ratio	1.12	0.67	1.73	2.70

Fresh water applied	
70,764,750.00	*gallons*
2,606.03	*acre-inches*
49.17	*inches/acre*

Process wastewater applied	
6,468,000.00	*gallons*
238.19	*acre-inches*
4.49	*inches/acre*

Total harvests for the crop	
1	*harvests*

Art's - 10/23/2022: Oats, silage-soft dough

Field name: Art's Crop: Oats, silage-soft dough Plant date: 10/23/2022

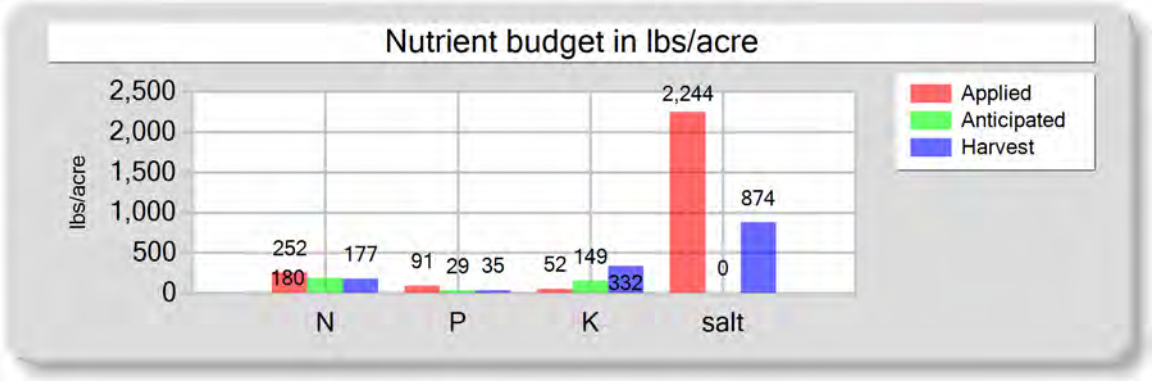

	Total N (lbs/acre)	Total P (lbs/acre)	Total K (lbs/acre)	Total salt (lbs/acre)
Existing soil nutrient content	0.00	0.00	0.00	0.00
Plowdown credit	0.00	0.00	0.00	0.00
Commercial fertilizer / Other	0.00	0.00	0.00	0.00
Dry manure	244.66	90.70	52.06	2,202.66
Process wastewater	0.00	0.00	0.00	0.00
Fresh water	0.00	0.00	0.00	41.50
Atmospheric deposition	7.00	0.00	0.00	0.00
Total nutrients applied	251.66	90.70	52.06	2,244.16
Anticipated crop nutrient removal	180.00	28.80	149.40	0.00
Actual crop nutrient removal	177.09	34.67	332.22	873.60
Nutrient balance	74.57	56.03	-280.17	1,370.56
Applied to removed ratio	1.42	2.62	0.16	2.57

Fresh water applied
13,365,000.00 *gallons*
492.19 *acre-inches*
13.67 *inches/acre*

Process wastewater applied
0.00 *gallons*
0.00 *acre-inches*
0.00 *inches/acre*

Total harvests for the crop
1 *harvests*

Art's - 05/19/2023: Corn, silage

Field name: Art's Crop: Corn, silage Plant date: 05/19/2023

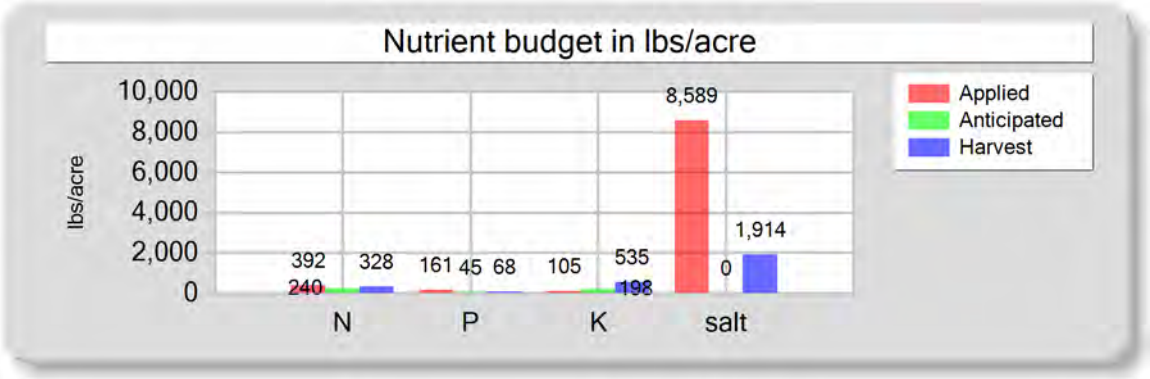

	Total N (lbs/acre)	Total P (lbs/acre)	Total K (lbs/acre)	Total salt (lbs/acre)
Existing soil nutrient content	0.00	0.00	0.00	0.00
Plowdown credit	0.00	0.00	0.00	0.00
Commercial fertilizer / Other	94.64	15.74	30.38	0.00
Dry manure	290.52	145.26	74.21	8,352.32
Process wastewater	0.00	0.00	0.00	0.00
Fresh water	0.00	0.00	0.00	236.77
Atmospheric deposition	7.00	0.00	0.00	0.00
Total nutrients applied	392.16	161.00	104.59	8,589.09
Anticipated crop nutrient removal	240.00	45.00	198.00	0.00
Actual crop nutrient removal	327.90	67.81	535.04	1,913.60
Nutrient balance	64.26	93.19	-430.45	6,675.49
Applied to removed ratio	1.20	2.37	0.20	4.49

Fresh water applied	
39,285,000.00	*gallons*
1,446.73	*acre-inches*
40.19	*inches/acre*

Process wastewater applied	
0.00	*gallons*
0.00	*acre-inches*
0.00	*inches/acre*

Total harvests for the crop	
1	*harvests*

Browns East - 11/02/2022: Oats, silage-soft dough

Field name: Browns East | Crop: Oats, silage-soft dough | Plant date: 11/02/2022

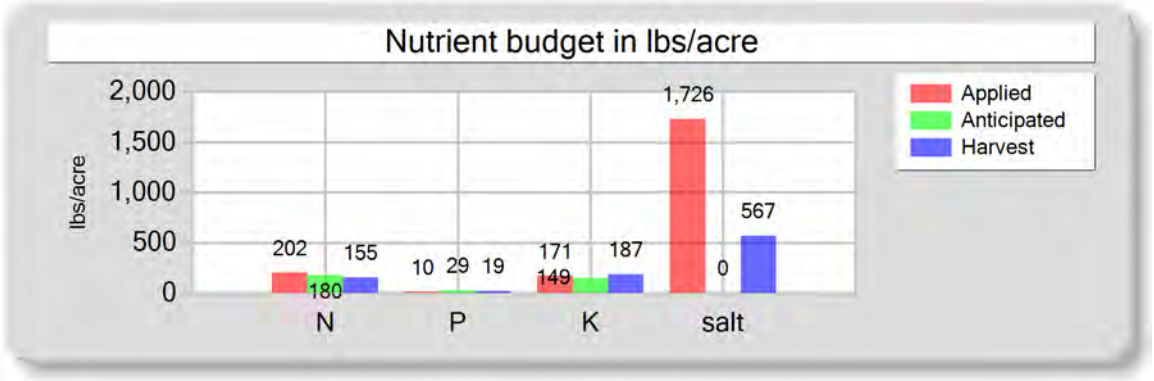

	Total N (lbs/acre)	Total P (lbs/acre)	Total K (lbs/acre)	Total salt (lbs/acre)
Existing soil nutrient content	0.00	0.00	0.00	0.00
Plowdown credit	0.00	0.00	0.00	0.00
Commercial fertilizer / Other	0.00	0.00	0.00	0.00
Dry manure	0.00	0.00	0.00	0.00
Process wastewater	194.94	9.97	170.55	1,696.59
Fresh water	0.00	0.00	0.00	29.29
Atmospheric deposition	7.00	0.00	0.00	0.00
Total nutrients applied	201.94	9.97	170.55	1,725.89
Anticipated crop nutrient removal	180.00	28.80	149.40	0.00
Actual crop nutrient removal	155.13	19.36	186.62	566.80
Nutrient balance	46.81	-9.39	-16.07	1,159.09
Applied to removed ratio	1.30	0.51	0.91	3.04

Fresh water applied	
10,530,000.00	*gallons*
387.78	*acre-inches*
10.77	*inches/acre*

Process wastewater applied	
1,248,000.00	*gallons*
45.96	*acre-inches*
1.28	*inches/acre*

Total harvests for the crop	
1	*harvests*

Browns East - 05/12/2023: Corn, silage

Field name: Browns East | Crop: Corn, silage | Plant date: 05/12/2023

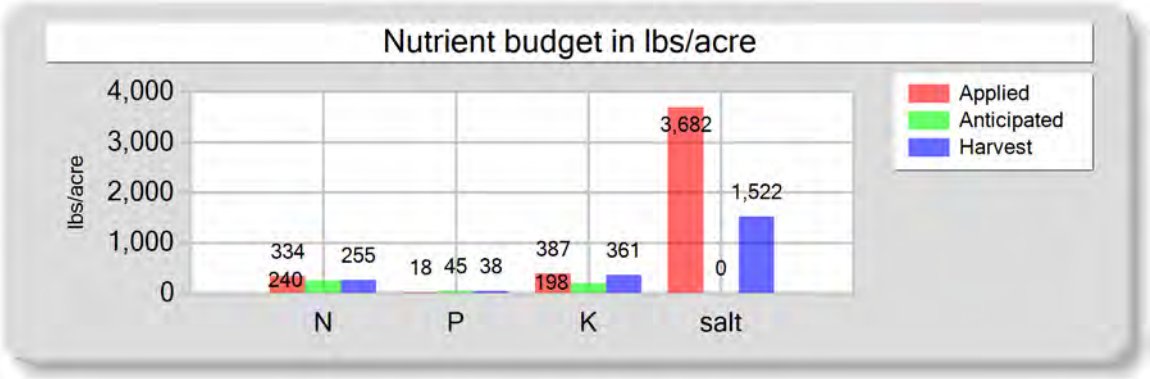

	Total N (lbs/acre)	Total P (lbs/acre)	Total K (lbs/acre)	Total salt (lbs/acre)
Existing soil nutrient content	0.00	0.00	0.00	0.00
Plowdown credit	0.00	0.00	0.00	0.00
Commercial fertilizer / Other	0.00	0.00	0.00	0.00
Dry manure	0.00	0.00	0.00	0.00
Process wastewater	326.88	17.95	386.93	3,294.16
Fresh water	0.00	0.00	0.00	388.10
Atmospheric deposition	7.00	0.00	0.00	0.00
Total nutrients applied	333.88	17.95	386.93	3,682.26
Anticipated crop nutrient removal	240.00	45.00	198.00	0.00
Actual crop nutrient removal	255.05	37.91	361.33	1,521.84
Nutrient balance	78.83	-19.96	25.60	2,160.42
Applied to removed ratio	1.31	0.47	1.07	2.42

Fresh water applied	
64,394,000.00	*gallons*
2,371.41	*acre-inches*
65.87	*inches/acre*

Process wastewater applied	
3,720,000.00	*gallons*
136.99	*acre-inches*
3.81	*inches/acre*

Total harvests for the crop	
1	*harvests*

Cabral's - 10/26/2022: Oats, silage-soft dough

Field name: Cabral's Crop: Oats, silage-soft dough Plant date: 10/26/2022

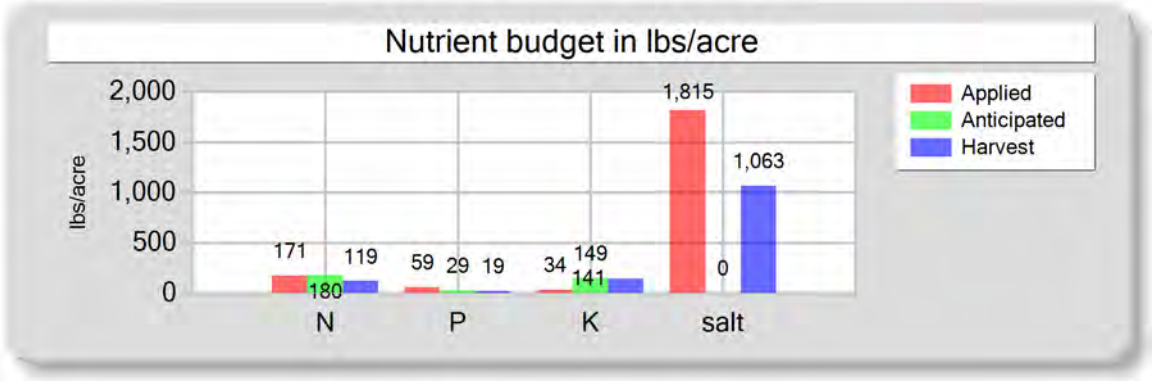

	Total N (lbs/acre)	Total P (lbs/acre)	Total K (lbs/acre)	Total salt (lbs/acre)
Existing soil nutrient content	0.00	0.00	0.00	0.00
Plowdown credit	0.00	0.00	0.00	0.00
Commercial fertilizer / Other	0.00	0.00	0.00	0.00
Dry manure	159.84	59.25	34.01	1,439.04
Process wastewater	0.00	0.00	0.00	0.00
Fresh water	4.23	0.00	0.00	376.31
Atmospheric deposition	7.00	0.00	0.00	0.00
Total nutrients applied	171.07	59.25	34.01	1,815.34
Anticipated crop nutrient removal	180.00	28.80	149.40	0.00
Actual crop nutrient removal	119.34	19.21	141.07	1,063.06
Nutrient balance	51.72	40.05	-107.06	752.28
Applied to removed ratio	1.43	3.08	0.24	1.71

Fresh water applied	
35,538,750.00	*gallons*
1,308.77	*acre-inches*
13.92	*inches/acre*

Process wastewater applied	
0.00	*gallons*
0.00	*acre-inches*
0.00	*inches/acre*

Total harvests for the crop	
1	*harvests*

Cabral's - 06/14/2023: Corn, silage

Field name: Cabral's Crop: Corn, silage Plant date: 06/14/2023

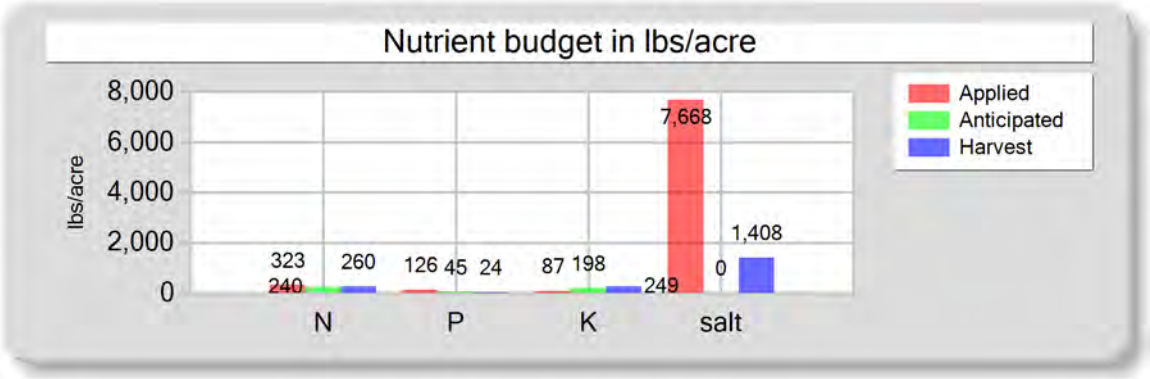

	Total N (lbs/acre)	Total P (lbs/acre)	Total K (lbs/acre)	Total salt (lbs/acre)
Existing soil nutrient content	0.00	0.00	0.00	0.00
Plowdown credit	0.00	0.00	0.00	0.00
Commercial fertilizer / Other	94.64	15.74	30.38	0.00
Dry manure	220.99	110.49	56.45	6,353.40
Process wastewater	0.00	0.00	0.00	0.00
Fresh water	0.00	0.00	0.00	1,314.14
Atmospheric deposition	7.00	0.00	0.00	0.00
Total nutrients applied	322.63	126.23	86.83	7,667.54
Anticipated crop nutrient removal	240.00	45.00	198.00	0.00
Actual crop nutrient removal	260.21	23.87	248.87	1,407.51
Nutrient balance	62.42	102.36	-162.04	6,260.03
Applied to removed ratio	1.24	5.29	0.35	5.45

Fresh water applied	
68,850,000.00	*gallons*
2,535.51	*acre-inches*
26.97	*inches/acre*

Process wastewater applied	
0.00	*gallons*
0.00	*acre-inches*
0.00	*inches/acre*

Total harvests for the crop	
1	*harvests*

Devin's - 02/01/1996: Almond, in shell

Field name: Devin's Crop: Almond, in shell Plant date: 02/01/1996

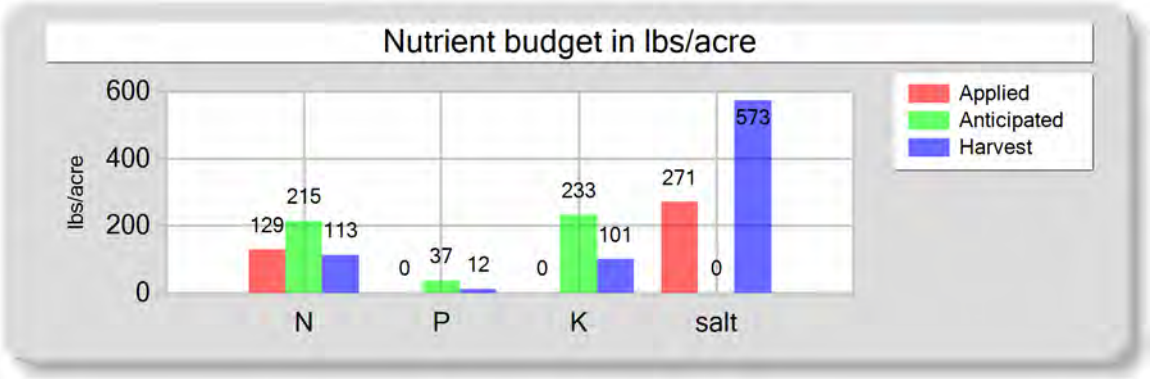

	Total N (lbs/acre)	Total P (lbs/acre)	Total K (lbs/acre)	Total salt (lbs/acre)
Existing soil nutrient content	0.00	0.00	0.00	0.00
Plowdown credit	0.00	0.00	0.00	0.00
Commercial fertilizer / Other	115.20	0.00	0.00	0.00
Dry manure	0.00	0.00	0.00	0.00
Process wastewater	0.00	0.00	0.00	0.00
Fresh water	0.00	0.00	0.00	270.94
Atmospheric deposition	14.00	0.00	0.00	0.00
Total nutrients applied	129.20	0.00	0.00	270.94
Anticipated crop nutrient removal	215.00	36.50	232.50	0.00
Actual crop nutrient removal	113.24	11.82	100.80	572.97
Nutrient balance	15.96	-11.82	-100.80	-302.03
Applied to removed ratio	1.14	0.00	0.00	0.47

Fresh water applied	
44,955,000.00	*gallons*
1,655.54	*acre-inches*
45.99	*inches/acre*

Process wastewater applied	
0.00	*gallons*
0.00	*acre-inches*
0.00	*inches/acre*

Total harvests for the crop	
1	*harvests*

Diamond Hay - 11/19/2022: Oats, silage-soft dough

Field name: Diamond Hay Crop: Oats, silage-soft dough Plant date: 11/19/2022

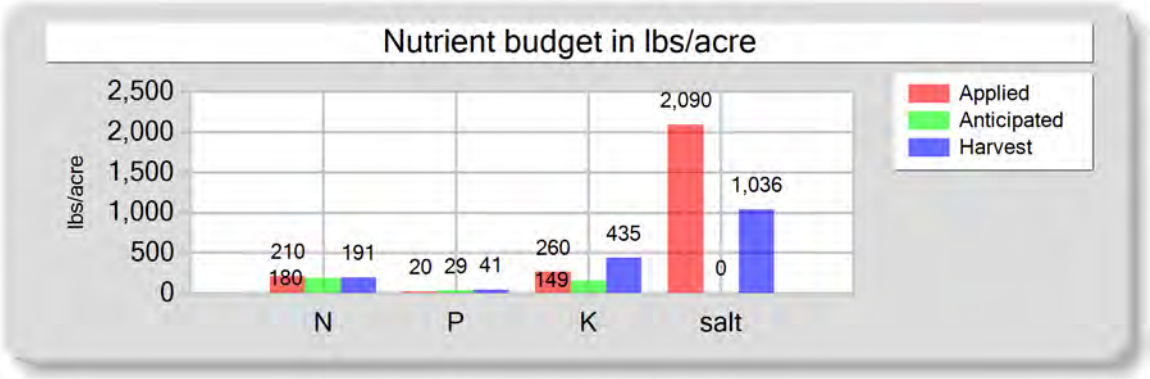

	Total N (lbs/acre)	Total P (lbs/acre)	Total K (lbs/acre)	Total salt (lbs/acre)
Existing soil nutrient content	0.00	0.00	0.00	0.00
Plowdown credit	0.00	0.00	0.00	0.00
Commercial fertilizer / Other	0.00	0.00	0.00	0.00
Dry manure	0.00	0.00	0.00	0.00
Process wastewater	203.08	20.24	260.36	2,013.48
Fresh water	0.00	0.00	0.00	76.16
Atmospheric deposition	7.00	0.00	0.00	0.00
Total nutrients applied	210.08	20.24	260.36	2,089.64
Anticipated crop nutrient removal	180.00	28.80	149.40	0.00
Actual crop nutrient removal	190.72	40.96	435.20	1,036.01
Nutrient balance	19.36	-20.72	-174.84	1,053.63
Applied to removed ratio	1.10	0.49	0.60	2.02

Fresh water applied	
5,265,000.00	*gallons*
193.89	*acre-inches*
12.93	*inches/acre*

Process wastewater applied	
624,000.00	*gallons*
22.98	*acre-inches*
1.53	*inches/acre*

Total harvests for the crop	
1	*harvests*

Diamond Hay - 06/06/2023: Corn, silage

Field name: Diamond Hay Crop: Corn, silage Plant date: 06/06/2023

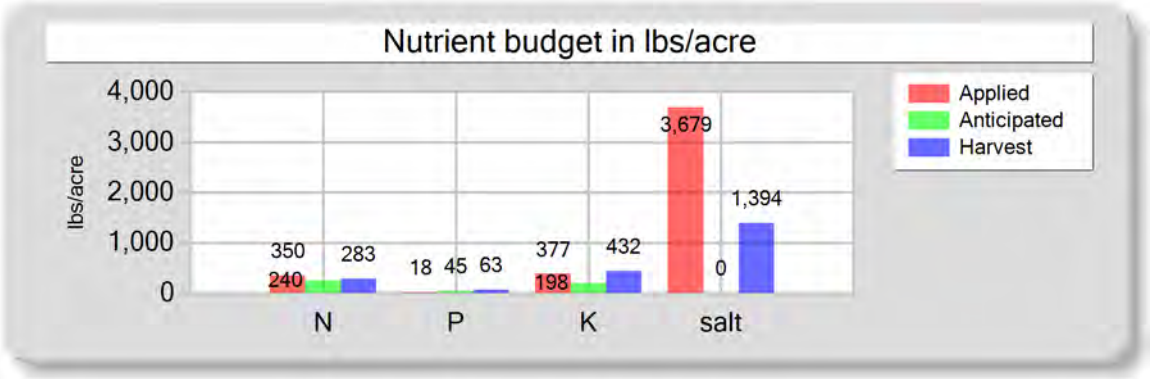

	Total N (lbs/acre)	Total P (lbs/acre)	Total K (lbs/acre)	Total salt (lbs/acre)
Existing soil nutrient content	0.00	0.00	0.00	0.00
Plowdown credit	0.00	0.00	0.00	0.00
Commercial fertilizer / Other	0.00	0.00	0.00	0.00
Dry manure	0.00	0.00	0.00	0.00
Process wastewater	342.85	18.08	377.43	3,300.08
Fresh water	0.00	0.00	0.00	379.32
Atmospheric deposition	7.00	0.00	0.00	0.00
Total nutrients applied	349.85	18.08	377.43	3,679.40
Anticipated crop nutrient removal	240.00	45.00	198.00	0.00
Actual crop nutrient removal	282.63	63.14	431.76	1,393.70
Nutrient balance	67.23	-45.06	-54.32	2,285.70
Applied to removed ratio	1.24	0.29	0.87	2.64

Fresh water applied	
26,223,750.00	*gallons*
965.73	*acre-inches*
64.38	*inches/acre*

Process wastewater applied	
1,776,000.00	*gallons*
65.40	*acre-inches*
4.36	*inches/acre*

Total harvests for the crop	
1	*harvests*

Edward's - 10/23/2022: Oats, silage-soft dough

Field name: Edward's Crop: Oats, silage-soft dough Plant date: 10/23/2022

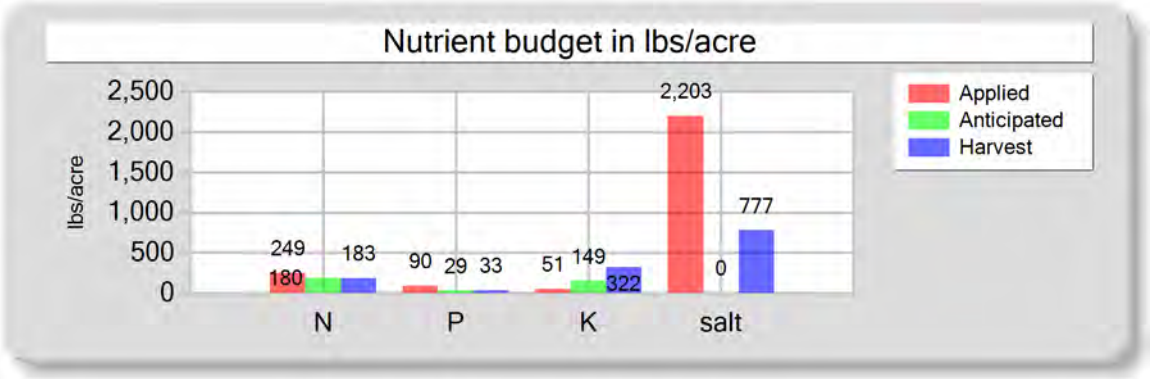

	Total N (lbs/acre)	Total P (lbs/acre)	Total K (lbs/acre)	Total salt (lbs/acre)
Existing soil nutrient content	0.00	0.00	0.00	0.00
Plowdown credit	0.00	0.00	0.00	0.00
Commercial fertilizer / Other	0.00	0.00	0.00	0.00
Dry manure	241.78	89.63	51.44	2,176.75
Process wastewater	0.00	0.00	0.00	0.00
Fresh water	0.00	0.00	0.00	26.36
Atmospheric deposition	7.00	0.00	0.00	0.00
Total nutrients applied	248.78	89.63	51.44	2,203.11
Anticipated crop nutrient removal	180.00	28.80	149.40	0.00
Actual crop nutrient removal	182.52	33.02	322.40	777.30
Nutrient balance	66.26	56.61	-270.96	1,425.81
Applied to removed ratio	1.36	2.71	0.16	2.83

Fresh water applied	
5,670,000.00	*gallons*
208.81	*acre-inches*
10.44	*inches/acre*

Process wastewater applied	
0.00	*gallons*
0.00	*acre-inches*
0.00	*inches/acre*

Total harvests for the crop	
1	*harvests*

Edward's - 05/19/2023: Corn, silage

Field name: Edward's Crop: Corn, silage Plant date: 05/19/2023

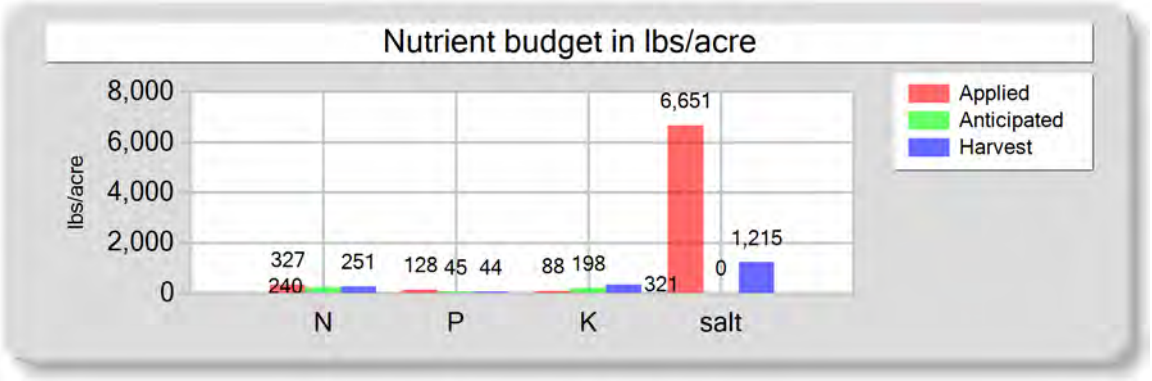

	Total N (lbs/acre)	Total P (lbs/acre)	Total K (lbs/acre)	Total salt (lbs/acre)
Existing soil nutrient content	0.00	0.00	0.00	0.00
Plowdown credit	0.00	0.00	0.00	0.00
Commercial fertilizer / Other	94.64	15.74	30.38	0.00
Dry manure	225.40	112.70	57.58	6,480.25
Process wastewater	0.00	0.00	0.00	0.00
Fresh water	0.00	0.00	0.00	170.25
Atmospheric deposition	7.00	0.00	0.00	0.00
Total nutrients applied	327.04	128.44	87.96	6,650.50
Anticipated crop nutrient removal	240.00	45.00	198.00	0.00
Actual crop nutrient removal	251.16	44.13	321.26	1,214.93
Nutrient balance	75.88	84.31	-233.30	5,435.58
Applied to removed ratio	1.30	2.91	0.27	5.47

Fresh water applied	
15,693,750.00	*gallons*
577.95	*acre-inches*
28.90	*inches/acre*

Process wastewater applied	
0.00	*gallons*
0.00	*acre-inches*
0.00	*inches/acre*

Total harvests for the crop	
1	*harvests*

ET Vincent - 11/18/2022: Oats, silage-soft dough

Field name: ET Vincent | Crop: Oats, silage-soft dough | Plant date: 11/18/2022

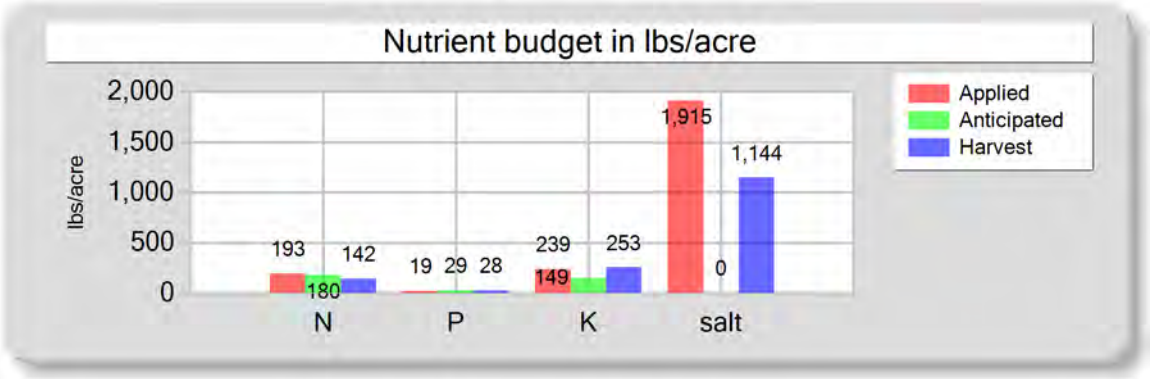

	Total N (lbs/acre)	Total P (lbs/acre)	Total K (lbs/acre)	Total salt (lbs/acre)
Existing soil nutrient content	0.00	0.00	0.00	0.00
Plowdown credit	0.00	0.00	0.00	0.00
Commercial fertilizer / Other	0.00	0.00	0.00	0.00
Dry manure	0.00	0.00	0.00	0.00
Process wastewater	186.08	18.54	238.57	1,844.93
Fresh water	0.00	0.00	0.00	69.78
Atmospheric deposition	7.00	0.00	0.00	0.00
Total nutrients applied	193.08	18.54	238.57	1,914.71
Anticipated crop nutrient removal	180.00	28.80	149.40	0.00
Actual crop nutrient removal	141.93	28.24	252.61	1,144.47
Nutrient balance	51.15	-9.69	-14.04	770.24
Applied to removed ratio	1.36	0.66	0.94	1.67

Fresh water applied	
10,935,000.00	*gallons*
402.70	*acre-inches*
11.84	*inches/acre*

Process wastewater applied	
1,296,000.00	*gallons*
47.73	*acre-inches*
1.40	*inches/acre*

Total harvests for the crop	
1	*harvests*

ET Vincent - 06/05/2023: Corn, silage

Field name: ET Vincent Crop: Corn, silage Plant date: 06/05/2023

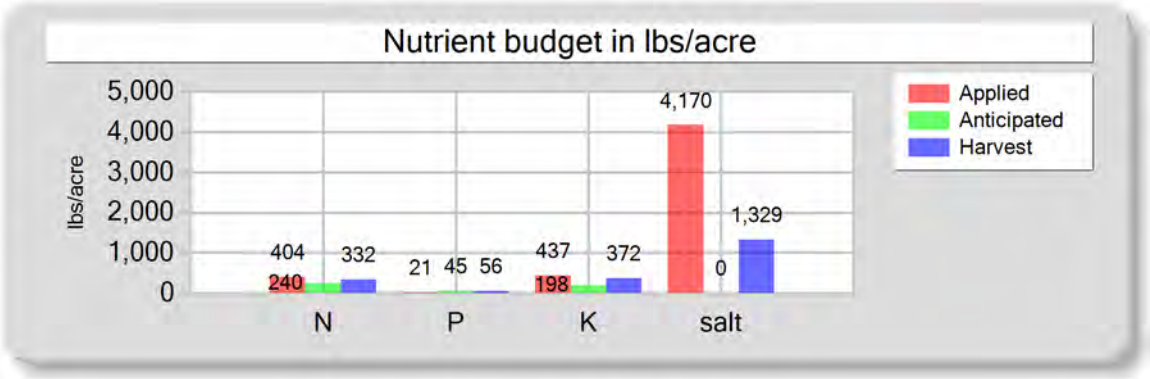

	Total N (lbs/acre)	Total P (lbs/acre)	Total K (lbs/acre)	Total salt (lbs/acre)
Existing soil nutrient content	0.00	0.00	0.00	0.00
Plowdown credit	0.00	0.00	0.00	0.00
Commercial fertilizer / Other	0.00	0.00	0.00	0.00
Dry manure	0.00	0.00	0.00	0.00
Process wastewater	396.54	20.91	436.54	3,816.87
Fresh water	0.00	0.00	0.00	352.78
Atmospheric deposition	7.00	0.00	0.00	0.00
Total nutrients applied	403.54	20.91	436.54	4,169.65
Anticipated crop nutrient removal	240.00	45.00	198.00	0.00
Actual crop nutrient removal	332.28	56.44	371.59	1,328.86
Nutrient balance	71.26	-35.52	64.95	2,840.79
Applied to removed ratio	1.21	0.37	1.17	3.14

Fresh water applied	
55,282,500.00	*gallons*
2,035.87	*acre-inches*
59.88	*inches/acre*

Process wastewater applied	
4,656,000.00	*gallons*
171.46	*acre-inches*
5.04	*inches/acre*

Total harvests for the crop	
1	*harvests*

Gomes - 11/19/2022: Oats, silage-soft dough

Field name: Gomes Crop: Oats, silage-soft dough Plant date: 11/19/2022

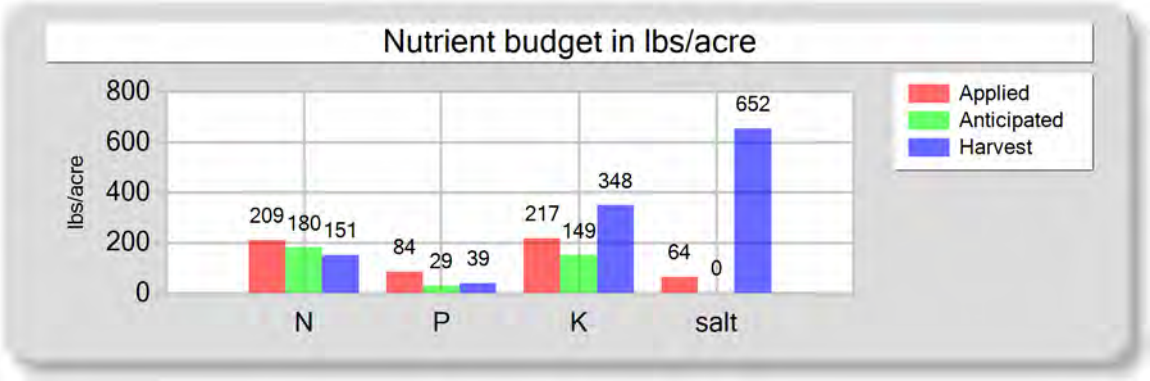

	Total N (lbs/acre)	Total P (lbs/acre)	Total K (lbs/acre)	Total salt (lbs/acre)
Existing soil nutrient content	0.00	0.00	0.00	0.00
Plowdown credit	0.00	0.00	0.00	0.00
Commercial fertilizer / Other	0.00	0.00	0.00	0.00
Dry manure	201.95	83.90	216.80	0.00
Process wastewater	0.00	0.00	0.00	0.00
Fresh water	0.00	0.00	0.00	64.13
Atmospheric deposition	7.00	0.00	0.00	0.00
Total nutrients applied	208.95	83.90	216.80	64.13
Anticipated crop nutrient removal	180.00	28.80	149.40	0.00
Actual crop nutrient removal	150.68	39.19	348.39	652.35
Nutrient balance	58.27	44.70	-131.59	-588.22
Applied to removed ratio	1.39	2.14	0.62	0.10

Fresh water applied	
18,326,250.00	*gallons*
674.89	*acre-inches*
10.89	*inches/acre*

Process wastewater applied	
0.00	*gallons*
0.00	*acre-inches*
0.00	*inches/acre*

Total harvests for the crop	
1	*harvests*

Gomes - 06/07/2023: Corn, silage

Field name: Gomes | Crop: Corn, silage | Plant date: 06/07/2023

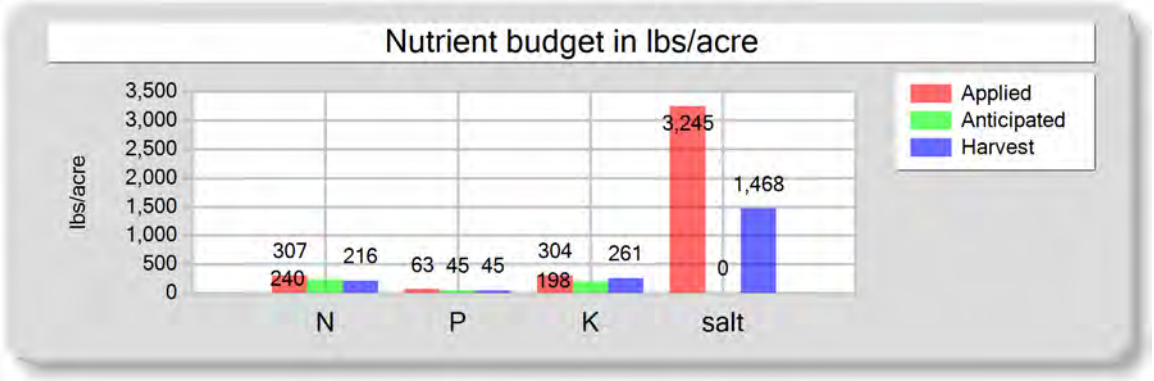

	Total N (lbs/acre)	Total P (lbs/acre)	Total K (lbs/acre)	Total salt (lbs/acre)
Existing soil nutrient content	0.00	0.00	0.00	0.00
Plowdown credit	0.00	0.00	0.00	0.00
Commercial fertilizer / Other	94.64	15.74	30.38	0.00
Dry manure	205.42	47.08	273.12	3,000.48
Process wastewater	0.00	0.00	0.00	0.00
Fresh water	0.00	0.00	0.00	244.13
Atmospheric deposition	7.00	0.00	0.00	0.00
Total nutrients applied	307.06	62.82	303.50	3,244.61
Anticipated crop nutrient removal	240.00	45.00	198.00	0.00
Actual crop nutrient removal	216.39	44.71	261.10	1,467.91
Nutrient balance	90.66	18.11	42.40	1,776.71
Applied to removed ratio	1.42	1.41	1.16	2.21

Fresh water applied	
69,761,250.00	*gallons*
2,569.07	*acre-inches*
41.44	*inches/acre*

Process wastewater applied	
0.00	*gallons*
0.00	*acre-inches*
0.00	*inches/acre*

Total harvests for the crop	
1	*harvests*

Goodlowe's - 11/18/2022: Oats, silage-soft dough

Field name: Goodlowe's Crop: Oats, silage-soft dough Plant date: 11/18/2022

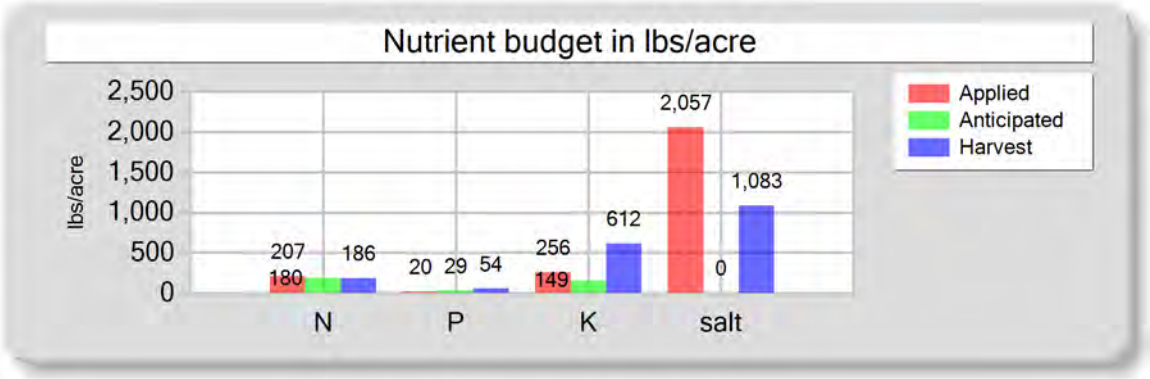

	Total N (lbs/acre)	Total P (lbs/acre)	Total K (lbs/acre)	Total salt (lbs/acre)
Existing soil nutrient content	0.00	0.00	0.00	0.00
Plowdown credit	0.00	0.00	0.00	0.00
Commercial fertilizer / Other	0.00	0.00	0.00	0.00
Dry manure	0.00	0.00	0.00	0.00
Process wastewater	199.87	19.92	256.24	1,981.59
Fresh water	0.00	0.00	0.00	74.95
Atmospheric deposition	7.00	0.00	0.00	0.00
Total nutrients applied	206.87	19.92	256.24	2,056.54
Anticipated crop nutrient removal	180.00	28.80	149.40	0.00
Actual crop nutrient removal	185.53	53.65	612.47	1,082.56
Nutrient balance	21.34	-33.73	-356.23	973.99
Applied to removed ratio	1.12	0.37	0.42	1.90

Fresh water applied	
11,745,000.00	*gallons*
432.53	*acre-inches*
12.72	*inches/acre*

Process wastewater applied	
1,392,000.00	*gallons*
51.26	*acre-inches*
1.51	*inches/acre*

Total harvests for the crop	
1	*harvests*

Goodlowe's - 06/03/2023: Corn, silage

Field name: Goodlowe's Crop: Corn, silage Plant date: 06/03/2023

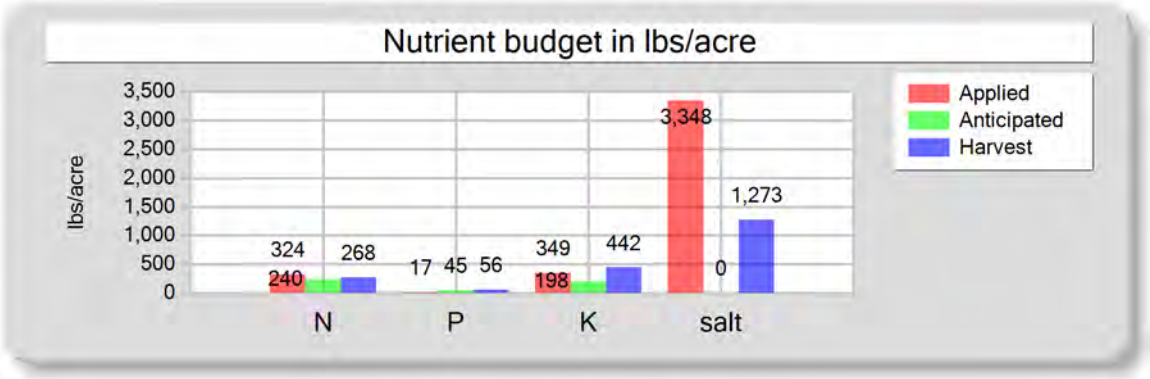

	Total N (lbs/acre)	Total P (lbs/acre)	Total K (lbs/acre)	Total salt (lbs/acre)
Existing soil nutrient content	0.00	0.00	0.00	0.00
Plowdown credit	0.00	0.00	0.00	0.00
Commercial fertilizer / Other	0.00	0.00	0.00	0.00
Dry manure	0.00	0.00	0.00	0.00
Process wastewater	316.83	16.71	348.78	3,049.56
Fresh water	0.00	0.00	0.00	298.51
Atmospheric deposition	7.00	0.00	0.00	0.00
Total nutrients applied	323.83	16.71	348.78	3,348.07
Anticipated crop nutrient removal	240.00	45.00	198.00	0.00
Actual crop nutrient removal	268.23	55.96	441.58	1,273.21
Nutrient balance	55.59	-39.25	-92.80	2,074.86
Applied to removed ratio	1.21	0.30	0.79	2.63

Fresh water applied	
46,777,500.00	*gallons*
1,722.66	*acre-inches*
50.67	*inches/acre*

Process wastewater applied	
3,720,000.00	*gallons*
136.99	*acre-inches*
4.03	*inches/acre*

Total harvests for the crop	
1	*harvests*

Jones - 05/14/2018: Almond, in shell

Field name: Jones | Crop: Almond, in shell | Plant date: 05/14/2018

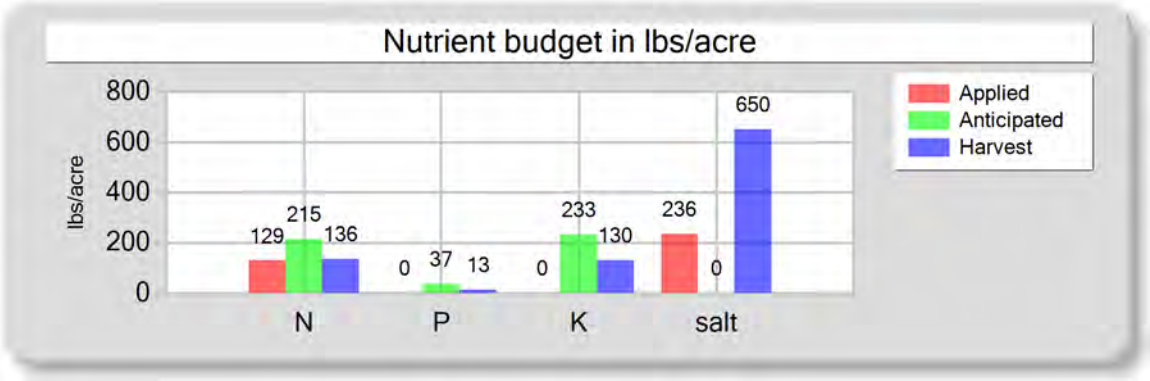

	Total N (lbs/acre)	Total P (lbs/acre)	Total K (lbs/acre)	Total salt (lbs/acre)
Existing soil nutrient content	0.00	0.00	0.00	0.00
Plowdown credit	0.00	0.00	0.00	0.00
Commercial fertilizer / Other	115.20	0.00	0.00	0.00
Dry manure	0.00	0.00	0.00	0.00
Process wastewater	0.00	0.00	0.00	0.00
Fresh water	0.00	0.00	0.00	235.56
Atmospheric deposition	14.00	0.00	0.00	0.00
Total nutrients applied	129.20	0.00	0.00	235.56
Anticipated crop nutrient removal	215.00	36.50	232.50	0.00
Actual crop nutrient removal	136.08	13.18	129.60	650.38
Nutrient balance	-6.88	-13.18	-129.60	-414.82
Applied to removed ratio	0.95	0.00	0.00	0.36

Fresh water applied	
70,569,860.00	*gallons*
2,598.85	*acre-inches*
39.98	*inches/acre*

Process wastewater applied	
0.00	*gallons*
0.00	*acre-inches*
0.00	*inches/acre*

Total harvests for the crop	
1	*harvests*

Justin's - 11/08/2021: Alfalfa, hay

Field name: Justin's Crop: Alfalfa, hay Plant date: 11/08/2021

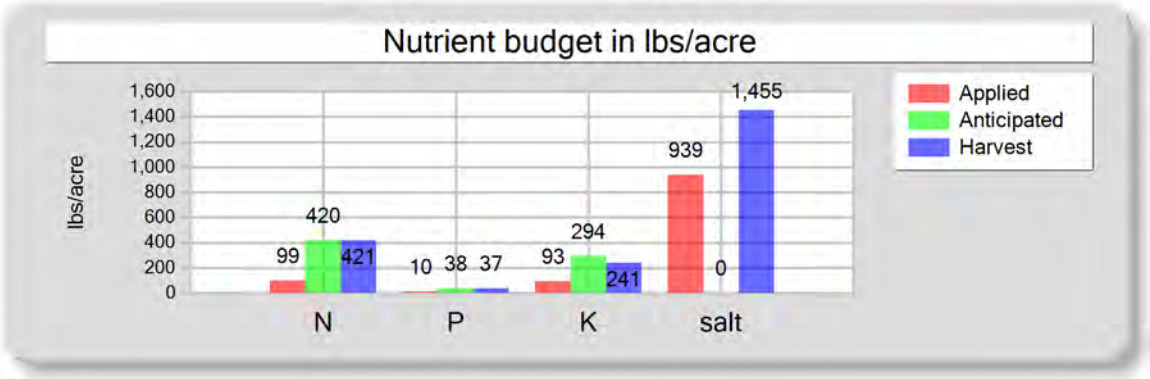

	Total N (lbs/acre)	Total P (lbs/acre)	Total K (lbs/acre)	Total salt (lbs/acre)
Existing soil nutrient content	0.00	0.00	0.00	0.00
Plowdown credit	0.00	0.00	0.00	0.00
Commercial fertilizer / Other	0.00	0.00	0.00	0.00
Dry manure	0.00	0.00	0.00	0.00
Process wastewater	85.32	10.19	92.73	757.06
Fresh water	0.00	0.00	0.00	181.85
Atmospheric deposition	14.00	0.00	0.00	0.00
Total nutrients applied	99.32	10.19	92.73	938.91
Anticipated crop nutrient removal	420.00	37.80	294.00	0.00
Actual crop nutrient removal	420.80	37.27	240.68	1,455.45
Nutrient balance	-321.48	-27.07	-147.95	-516.54
Applied to removed ratio	0.24	0.27	0.39	0.65

Fresh water applied	
15,086,250.00	*gallons*
555.58	*acre-inches*
30.87	*inches/acre*

Process wastewater applied	
432,000.00	*gallons*
15.91	*acre-inches*
0.88	*inches/acre*

Total harvests for the crop	
1	*harvests*

Lamb's - 11/15/2022: Oats, silage-soft dough

Field name: Lamb's Crop: Oats, silage-soft dough Plant date: 11/15/2022

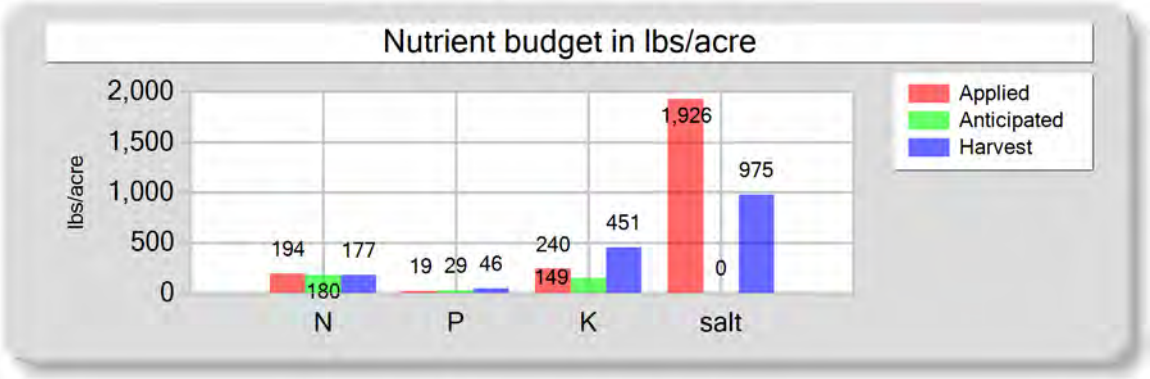

	Total N (lbs/acre)	Total P (lbs/acre)	Total K (lbs/acre)	Total salt (lbs/acre)
Existing soil nutrient content	0.00	0.00	0.00	0.00
Plowdown credit	0.00	0.00	0.00	0.00
Commercial fertilizer / Other	0.00	0.00	0.00	0.00
Dry manure	0.00	0.00	0.00	0.00
Process wastewater	187.14	18.65	239.92	1,855.37
Fresh water	0.00	0.00	0.00	70.18
Atmospheric deposition	7.00	0.00	0.00	0.00
Total nutrients applied	194.14	18.65	239.92	1,925.55
Anticipated crop nutrient removal	180.00	28.80	149.40	0.00
Actual crop nutrient removal	177.04	46.16	451.22	974.64
Nutrient balance	17.09	-27.51	-211.30	950.91
Applied to removed ratio	1.10	0.40	0.53	1.98

Fresh water applied	
11,643,750.00	*gallons*
428.80	*acre-inches*
11.91	*inches/acre*

Process wastewater applied	
1,380,000.00	*gallons*
50.82	*acre-inches*
1.41	*inches/acre*

Total harvests for the crop	
1	*harvests*

Lamb's - 05/29/2023: Corn, silage

Field name: Lamb's Crop: Corn, silage Plant date: 05/29/2023

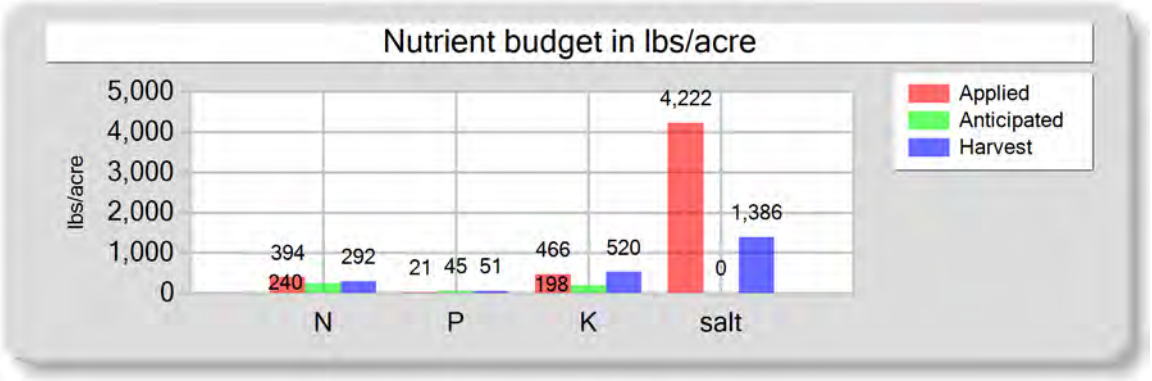

	Total N (lbs/acre)	Total P (lbs/acre)	Total K (lbs/acre)	Total salt (lbs/acre)
Existing soil nutrient content	0.00	0.00	0.00	0.00
Plowdown credit	0.00	0.00	0.00	0.00
Commercial fertilizer / Other	0.00	0.00	0.00	0.00
Dry manure	0.00	0.00	0.00	0.00
Process wastewater	387.33	21.48	466.34	3,946.24
Fresh water	0.00	0.00	0.00	275.82
Atmospheric deposition	7.00	0.00	0.00	0.00
Total nutrients applied	394.33	21.48	466.34	4,222.06
Anticipated crop nutrient removal	240.00	45.00	198.00	0.00
Actual crop nutrient removal	292.29	51.00	519.84	1,386.04
Nutrient balance	102.04	-29.52	-53.50	2,836.03
Applied to removed ratio	1.35	0.42	0.90	3.05

Fresh water applied	
45,765,000.00	*gallons*
1,685.37	*acre-inches*
46.82	*inches/acre*

Process wastewater applied	
4,308,000.00	*gallons*
158.65	*acre-inches*
4.41	*inches/acre*

Total harvests for the crop	
1	*harvests*

Mitchell Trees - 02/01/2001: Almond, in shell

Field name: Mitchell Trees Crop: Almond, in shell Plant date: 02/01/2001

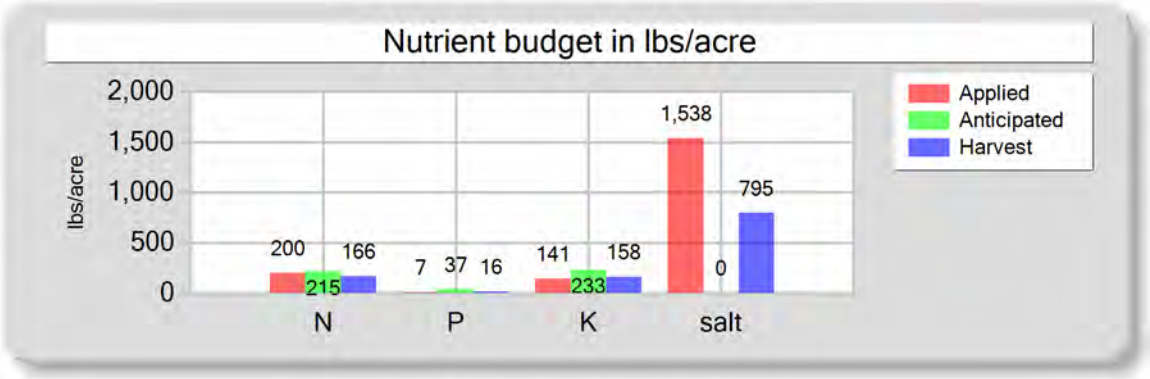

	Total N (lbs/acre)	Total P (lbs/acre)	Total K (lbs/acre)	Total salt (lbs/acre)
Existing soil nutrient content	0.00	0.00	0.00	0.00
Plowdown credit	0.00	0.00	0.00	0.00
Commercial fertilizer / Other	57.60	0.00	0.00	0.00
Dry manure	0.00	0.00	0.00	0.00
Process wastewater	128.18	6.76	141.11	1,233.81
Fresh water	0.00	0.00	0.00	304.14
Atmospheric deposition	14.00	0.00	0.00	0.00
Total nutrients applied	199.78	6.76	141.11	1,537.95
Anticipated crop nutrient removal	215.00	36.50	232.50	0.00
Actual crop nutrient removal	166.32	16.10	158.40	794.91
Nutrient balance	33.46	-9.34	-17.29	743.04
Applied to removed ratio	1.20	0.42	0.89	1.93

Fresh water applied	
63,078,750.00	*gallons*
2,322.98	*acre-inches*
51.62	*inches/acre*

Process wastewater applied	
1,992,000.00	*gallons*
73.36	*acre-inches*
1.63	*inches/acre*

Total harvests for the crop	
1	*harvests*

Pit - 11/18/2022: Oats, silage-soft dough

Field name: Pit | Crop: Oats, silage-soft dough | Plant date: 11/18/2022

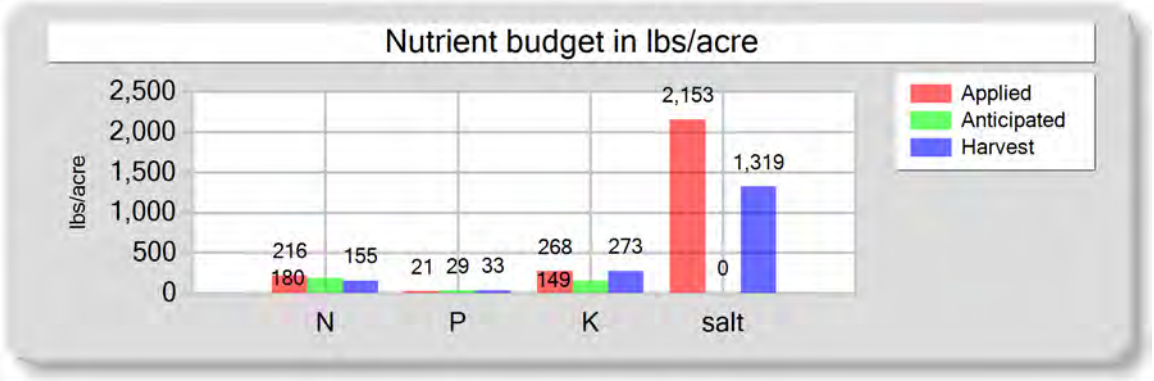

	Total N (lbs/acre)	Total P (lbs/acre)	Total K (lbs/acre)	Total salt (lbs/acre)
Existing soil nutrient content	0.00	0.00	0.00	0.00
Plowdown credit	0.00	0.00	0.00	0.00
Commercial fertilizer / Other	0.00	0.00	0.00	0.00
Dry manure	0.00	0.00	0.00	0.00
Process wastewater	209.22	20.85	268.23	2,074.33
Fresh water	0.00	0.00	0.00	78.46
Atmospheric deposition	7.00	0.00	0.00	0.00
Total nutrients applied	216.22	20.85	268.23	2,152.79
Anticipated crop nutrient removal	180.00	28.80	149.40	0.00
Actual crop nutrient removal	155.14	32.57	273.00	1,319.14
Nutrient balance	61.08	-11.72	-4.77	833.64
Applied to removed ratio	1.39	0.64	0.98	1.63

Fresh water applied	
5,062,500.00	*gallons*
186.43	*acre-inches*
13.32	*inches/acre*

Process wastewater applied	
600,000.00	*gallons*
22.10	*acre-inches*
1.58	*inches/acre*

Total harvests for the crop	
1	*harvests*

Pit - 06/04/2023: Corn, silage

Field name: Pit Crop: Corn, silage Plant date: 06/04/2023

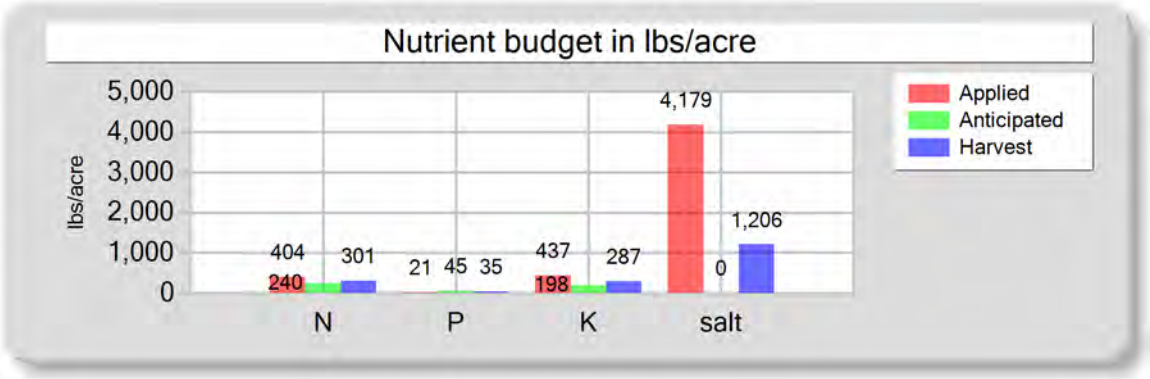

	Total N (lbs/acre)	Total P (lbs/acre)	Total K (lbs/acre)	Total salt (lbs/acre)
Existing soil nutrient content	0.00	0.00	0.00	0.00
Plowdown credit	0.00	0.00	0.00	0.00
Commercial fertilizer / Other	0.00	0.00	0.00	0.00
Dry manure	0.00	0.00	0.00	0.00
Process wastewater	397.13	20.94	437.18	3,822.49
Fresh water	0.00	0.00	0.00	356.20
Atmospheric deposition	7.00	0.00	0.00	0.00
Total nutrients applied	404.13	20.94	437.18	4,178.69
Anticipated crop nutrient removal	240.00	45.00	198.00	0.00
Actual crop nutrient removal	300.60	35.47	286.64	1,206.35
Nutrient balance	103.53	-14.52	150.54	2,972.34
Applied to removed ratio	1.34	0.59	1.53	3.46

Fresh water applied	
22,983,750.00	*gallons*
846.41	*acre-inches*
60.46	*inches/acre*

Process wastewater applied	
1,920,000.00	*gallons*
70.71	*acre-inches*
5.05	*inches/acre*

Total harvests for the crop	
1	*harvests*

Pump - 11/17/2022: Oats, silage-soft dough

Field name: Pump Crop: Oats, silage-soft dough Plant date: 11/17/2022

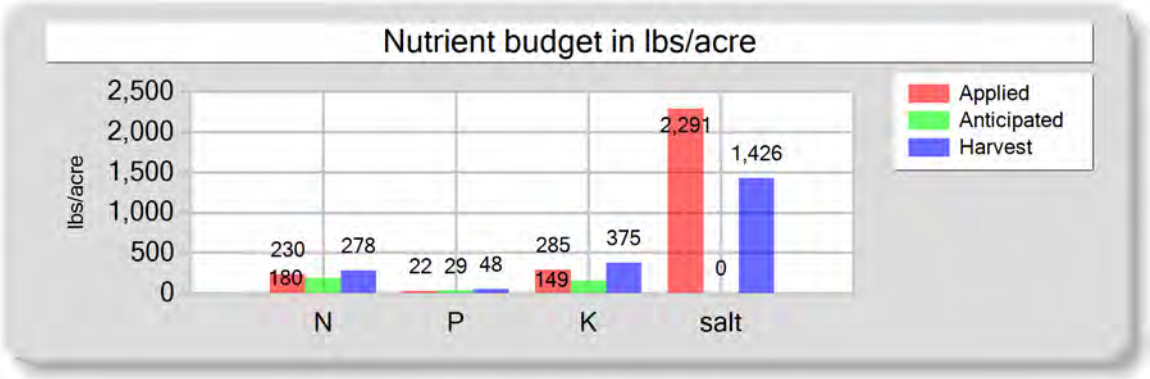

	Total N (lbs/acre)	Total P (lbs/acre)	Total K (lbs/acre)	Total salt (lbs/acre)
Existing soil nutrient content	0.00	0.00	0.00	0.00
Plowdown credit	0.00	0.00	0.00	0.00
Commercial fertilizer / Other	0.00	0.00	0.00	0.00
Dry manure	0.00	0.00	0.00	0.00
Process wastewater	222.61	22.19	285.40	2,207.09
Fresh water	0.00	0.00	0.00	83.48
Atmospheric deposition	7.00	0.00	0.00	0.00
Total nutrients applied	229.61	22.19	285.40	2,290.56
Anticipated crop nutrient removal	180.00	28.80	149.40	0.00
Actual crop nutrient removal	277.60	47.60	374.80	1,426.42
Nutrient balance	-47.99	-25.41	-89.40	864.14
Applied to removed ratio	0.83	0.47	0.76	1.61

Fresh water applied	
5,771,250.00	*gallons*
212.54	*acre-inches*
14.17	*inches/acre*

Process wastewater applied	
684,000.00	*gallons*
25.19	*acre-inches*
1.68	*inches/acre*

Total harvests for the crop	
1	*harvests*

Pump - 06/06/2023: Corn, silage

Field name: Pump Crop: Corn, silage Plant date: 06/06/2023

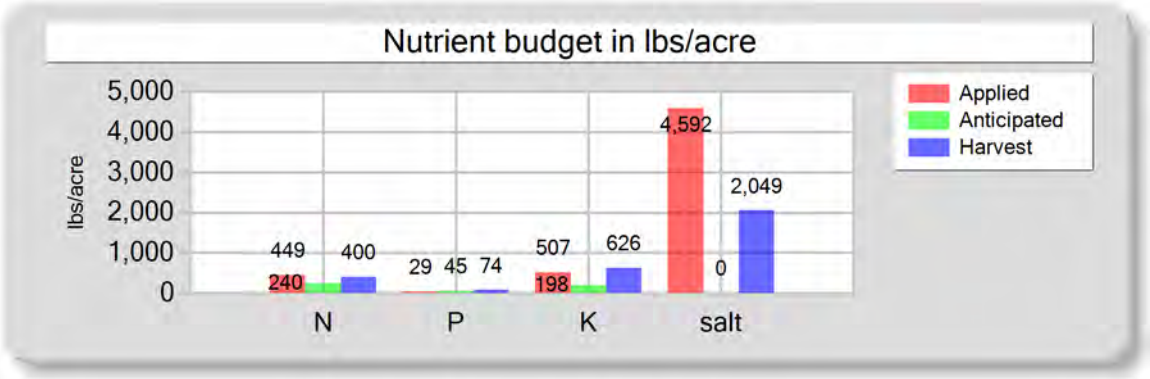

	Total N (lbs/acre)	Total P (lbs/acre)	Total K (lbs/acre)	Total salt (lbs/acre)
Existing soil nutrient content	0.00	0.00	0.00	0.00
Plowdown credit	0.00	0.00	0.00	0.00
Commercial fertilizer / Other	0.00	0.00	0.00	0.00
Dry manure	0.00	0.00	0.00	0.00
Process wastewater	442.21	28.64	507.34	4,289.20
Fresh water	0.00	0.00	0.00	303.16
Atmospheric deposition	7.00	0.00	0.00	0.00
Total nutrients applied	449.21	28.64	507.34	4,592.36
Anticipated crop nutrient removal	240.00	45.00	198.00	0.00
Actual crop nutrient removal	400.18	74.05	626.08	2,048.92
Nutrient balance	49.03	-45.42	-118.74	2,543.44
Applied to removed ratio	1.12	0.39	0.81	2.24

Fresh water applied	
20,958,750.00	*gallons*
771.84	*acre-inches*
51.46	*inches/acre*

Process wastewater applied	
2,052,000.00	*gallons*
75.57	*acre-inches*
5.04	*inches/acre*

Total harvests for the crop	
1	*harvests*

Rick's 50 - 10/21/2022: Oats, silage-soft dough

Field name: Rick's 50 Crop: Oats, silage-soft dough Plant date: 10/21/2022

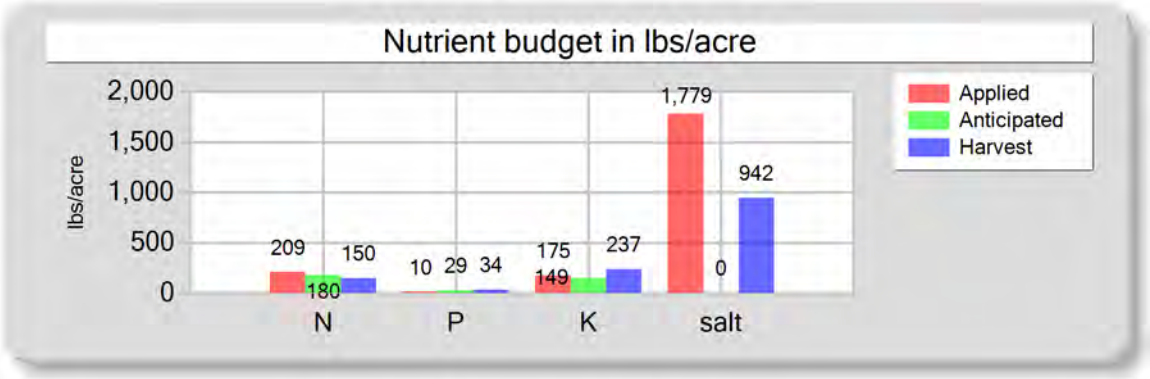

	Total N (lbs/acre)	Total P (lbs/acre)	Total K (lbs/acre)	Total salt (lbs/acre)
Existing soil nutrient content	0.00	0.00	0.00	0.00
Plowdown credit	0.00	0.00	0.00	0.00
Commercial fertilizer / Other	0.00	0.00	0.00	0.00
Dry manure	0.00	0.00	0.00	0.00
Process wastewater	201.72	10.09	174.64	1,750.11
Fresh water	0.00	0.00	0.00	29.29
Atmospheric deposition	7.00	0.00	0.00	0.00
Total nutrients applied	208.72	10.09	174.64	1,779.40
Anticipated crop nutrient removal	180.00	28.80	149.40	0.00
Actual crop nutrient removal	149.77	33.58	237.00	942.08
Nutrient balance	58.95	-23.48	-62.36	837.33
Applied to removed ratio	1.39	0.30	0.74	1.89

Fresh water applied	
14,478,750.00	*gallons*
533.20	*acre-inches*
11.11	*inches/acre*

Process wastewater applied	
1,716,000.00	*gallons*
63.19	*acre-inches*
1.32	*inches/acre*

Total harvests for the crop	
1	*harvests*

Rick's 50 - 05/11/2023: Corn, silage

Field name: Rick's 50 Crop: Corn, silage Plant date: 05/11/2023

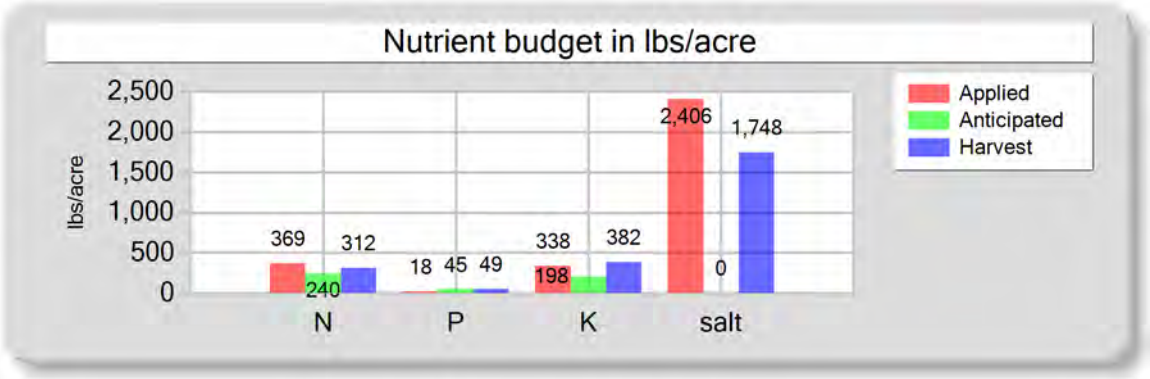

	Total N (lbs/acre)	Total P (lbs/acre)	Total K (lbs/acre)	Total salt (lbs/acre)
Existing soil nutrient content	0.00	0.00	0.00	0.00
Plowdown credit	0.00	0.00	0.00	0.00
Commercial fertilizer / Other	0.00	0.00	0.00	0.00
Dry manure	0.00	0.00	0.00	0.00
Process wastewater	361.65	17.64	337.58	2,236.20
Fresh water	0.00	0.00	0.00	169.34
Atmospheric deposition	7.00	0.00	0.00	0.00
Total nutrients applied	368.65	17.64	337.58	2,405.54
Anticipated crop nutrient removal	240.00	45.00	198.00	0.00
Actual crop nutrient removal	311.98	49.16	382.11	1,747.62
Nutrient balance	56.68	-31.52	-44.53	657.92
Applied to removed ratio	1.18	0.36	0.88	1.38

Fresh water applied	
37,462,500.00	*gallons*
1,379.62	*acre-inches*
28.74	*inches/acre*

Process wastewater applied	
2,821,500.00	*gallons*
103.91	*acre-inches*
2.16	*inches/acre*

Total harvests for the crop	
1	*harvests*

RV Barn - 11/15/2022: Oats, silage-soft dough

Field name: RV Barn Crop: Oats, silage-soft dough Plant date: 11/15/2022

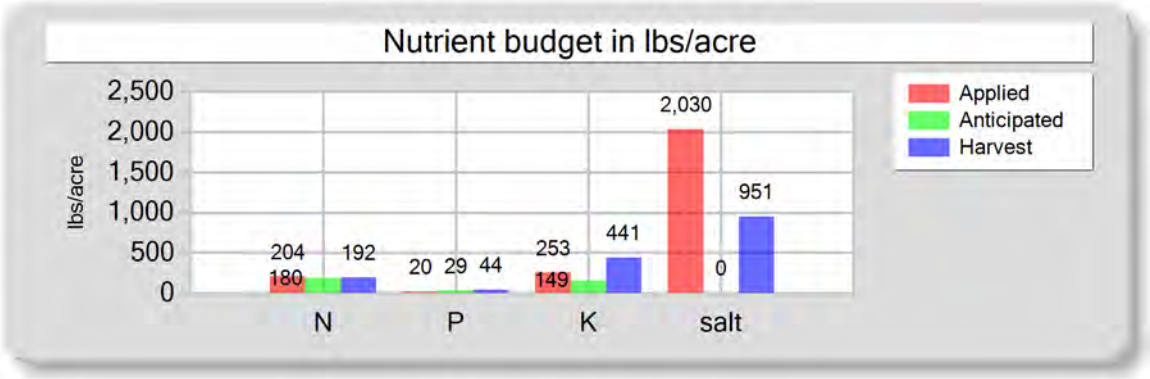

	Total N (lbs/acre)	Total P (lbs/acre)	Total K (lbs/acre)	Total salt (lbs/acre)
Existing soil nutrient content	0.00	0.00	0.00	0.00
Plowdown credit	0.00	0.00	0.00	0.00
Commercial fertilizer / Other	0.00	0.00	0.00	0.00
Dry manure	0.00	0.00	0.00	0.00
Process wastewater	197.33	19.67	252.99	1,956.42
Fresh water	0.00	0.00	0.00	74.00
Atmospheric deposition	7.00	0.00	0.00	0.00
Total nutrients applied	204.33	19.67	252.99	2,030.42
Anticipated crop nutrient removal	180.00	28.80	149.40	0.00
Actual crop nutrient removal	191.75	44.12	441.16	951.07
Nutrient balance	12.58	-24.45	-188.17	1,079.35
Applied to removed ratio	1.07	0.45	0.57	2.13

Fresh water applied	
12,960,000.00	*gallons*
477.27	*acre-inches*
12.56	*inches/acre*

Process wastewater applied	
1,536,000.00	*gallons*
56.57	*acre-inches*
1.49	*inches/acre*

Total harvests for the crop	
1	*harvests*

RV Barn - 05/27/2023: Corn, silage

Field name: RV Barn Crop: Corn, silage Plant date: 05/27/2023

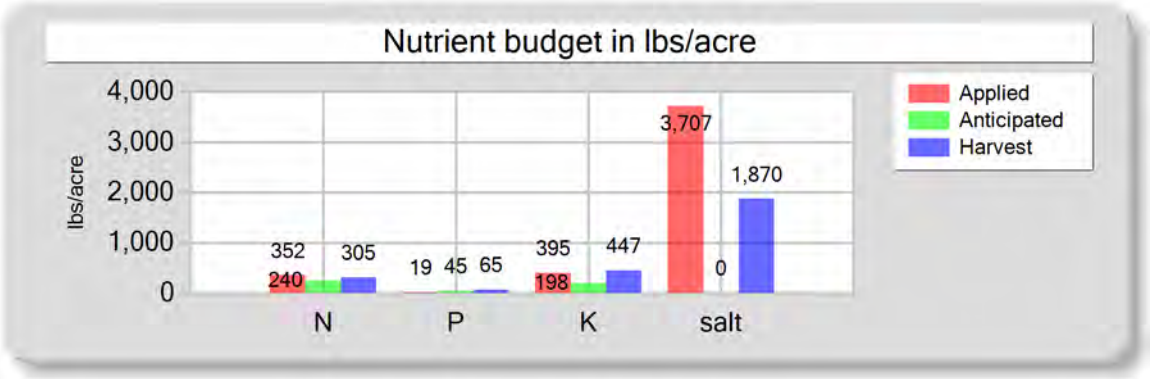

	Total N (lbs/acre)	Total P (lbs/acre)	Total K (lbs/acre)	Total salt (lbs/acre)
Existing soil nutrient content	0.00	0.00	0.00	0.00
Plowdown credit	0.00	0.00	0.00	0.00
Commercial fertilizer / Other	0.00	0.00	0.00	0.00
Dry manure	0.00	0.00	0.00	0.00
Process wastewater	344.66	18.58	394.56	3,400.12
Fresh water	0.00	0.00	0.00	306.98
Atmospheric deposition	7.00	0.00	0.00	0.00
Total nutrients applied	351.66	18.58	394.56	3,707.10
Anticipated crop nutrient removal	240.00	45.00	198.00	0.00
Actual crop nutrient removal	304.76	64.84	447.41	1,869.53
Nutrient balance	46.90	-46.27	-52.85	1,837.57
Applied to removed ratio	1.15	0.29	0.88	1.98

Fresh water applied	
53,763,750.00	*gallons*
1,979.94	*acre-inches*
52.10	*inches/acre*

Process wastewater applied	
4,320,000.00	*gallons*
159.09	*acre-inches*
4.19	*inches/acre*

Total harvests for the crop	
1	*harvests*

Shop - 02/01/1995: Almond, in shell

Field name: Shop | Crop: Almond, in shell | Plant date: 02/01/1995

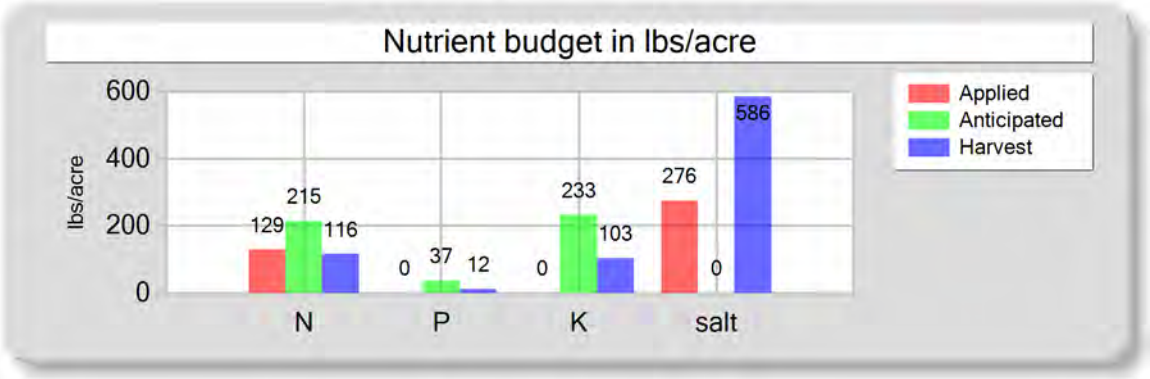

	Total N (lbs/acre)	Total P (lbs/acre)	Total K (lbs/acre)	Total salt (lbs/acre)
Existing soil nutrient content	0.00	0.00	0.00	0.00
Plowdown credit	0.00	0.00	0.00	0.00
Commercial fertilizer / Other	115.20	0.00	0.00	0.00
Dry manure	0.00	0.00	0.00	0.00
Process wastewater	0.00	0.00	0.00	0.00
Fresh water	0.00	0.00	0.00	275.60
Atmospheric deposition	14.00	0.00	0.00	0.00
Total nutrients applied	129.20	0.00	0.00	275.60
Anticipated crop nutrient removal	215.00	36.50	232.50	0.00
Actual crop nutrient removal	115.82	12.09	103.09	586.00
Nutrient balance	13.38	-12.09	-103.09	-310.39
Applied to removed ratio	1.12	0.00	0.00	0.47

Fresh water applied	
13,972,500.00	*gallons*
514.56	*acre-inches*
46.78	*inches/acre*

Process wastewater applied	
0.00	*gallons*
0.00	*acre-inches*
0.00	*inches/acre*

Total harvests for the crop	
1	*harvests*

NUTRIENT ANALYSES

A. MANURE ANALYSES

Gomes Field Manure

Sample and source description: Gomes Field Manure

Sample date: 10/13/2022 Material type: Corral solids Source of analysis: Lab analysis Method of reporting: Dry-weight

Moisture: 17.8 %

	Total N (mg/kg)	Total P (mg/kg)	Total K (mg/kg)	Calcium (mg/kg)	Magnesium (mg/kg)	Sodium (mg/kg)	Sulfur (mg/kg)	Chloride (mg/kg)	Total salt (mg/kg)	TFS (%)
Value	27,200.00	11,300.00	29,200.00	0.00	0.00	0.00	0.00	0.00		0.00
DL	100.00	100.00	100.00	100.00	100.00	100.00	100.00	50.00		0.01

Settling Basin

Sample and source description: Settling Basin

Sample date: 10/13/2022 Material type: Separator solids Source of analysis: Lab analysis Method of reporting: Dry-weight

Moisture: 73.1 %

	Total N (mg/kg)	Total P (mg/kg)	Total K (mg/kg)	Calcium (mg/kg)	Magnesium (mg/kg)	Sodium (mg/kg)	Sulfur (mg/kg)	Chloride (mg/kg)	Total salt (mg/kg)	TFS (%)
Value	32,100.00	11,900.00	6,830.00	0.00	0.00	0.00	0.00	0.00		28.90
DL	100.00	100.00	100.00	100.00	100.00	100.00	100.00	50.00		0.01

Corral Solids

Sample and source description: Corral Solids

Sample date: 04/27/2023 Material type: Corral solids Source of analysis: Lab analysis Method of reporting: Dry-weight

Moisture: 51.0 %

	Total N (mg/kg)	Total P (mg/kg)	Total K (mg/kg)	Calcium (mg/kg)	Magnesium (mg/kg)	Sodium (mg/kg)	Sulfur (mg/kg)	Chloride (mg/kg)	Total salt (mg/kg)	TFS (%)
Value	18,400.00	9,200.00	4,700.00	0.00	0.00	0.00	0.00	0.00		52.90
DL	100.00	100.00	100.00	100.00	100.00	100.00	100.00	50.00		0.01

Settling Basin

Sample and source description: Settling Basin

Sample date: 05/18/2023 Material type: Separator solids Source of analysis: Lab analysis Method of reporting: Dry-weight

Moisture: 78.7 %

	Total N (mg/kg)	Total P (mg/kg)	Total K (mg/kg)	Calcium (mg/kg)	Magnesium (mg/kg)	Sodium (mg/kg)	Sulfur (mg/kg)	Chloride (mg/kg)	Total salt (mg/kg)	TFS (%)
Value	30,000.00	7,780.00	4,350.00	0.00	0.00	0.00	0.00	0.00		36.00
DL	100.00	100.00	100.00	100.00	100.00	100.00	100.00	50.00		0.01

Corral Solids

Sample and source description: Corral Solids

Sample date: 06/15/2023 Material type: Corral solids Source of analysis: Lab analysis Method of reporting: Dry-weight

Moisture: 47.0 %

	Total N (mg/kg)	Total P (mg/kg)	Total K (mg/kg)	Calcium (mg/kg)	Magnesium (mg/kg)	Sodium (mg/kg)	Sulfur (mg/kg)	Chloride (mg/kg)	Total salt (mg/kg)	TFS (%)
Value	26,700.00	6,120.00	35,500.00	0.00	0.00	0.00	0.00	0.00		39.00
DL	100.00	100.00	100.00	100.00	100.00	100.00	100.00	50.00		0.01

Corral Solids

Sample and source description: Corral Solids

Sample date: 10/12/2023 Material type: Corral solids Source of analysis: Lab analysis Method of reporting: Dry-weight

Moisture: 38.9 %

	Total N (mg/kg)	Total P (mg/kg)	Total K (mg/kg)	Calcium (mg/kg)	Magnesium (mg/kg)	Sodium (mg/kg)	Sulfur (mg/kg)	Chloride (mg/kg)	Total salt (mg/kg)	TFS (%)
Value	20,300.00	5,090.00	12,600.00	0.00	0.00	0.00	0.00	0.00		51.60
DL	100.00	100.00	100.00	100.00	100.00	100.00	100.00	50.00		0.01

Settling Basin

Sample and source description: Settling Basin

Sample date: 10/12/2023 Material type: Separator solids Source of analysis: Lab analysis Method of reporting: Dry-weight

Moisture: 64.7 %

	Total N (mg/kg)	Total P (mg/kg)	Total K (mg/kg)	Calcium (mg/kg)	Magnesium (mg/kg)	Sodium (mg/kg)	Sulfur (mg/kg)	Chloride (mg/kg)	Total salt (mg/kg)	TFS (%)
Value	29,900.00	9,600.00	13,700.00	0.00	0.00	0.00	0.00	0.00		35.40
DL	100.00	100.00	100.00	100.00	100.00	100.00	100.00	50.00		0.01

B. PROCESS WASTEWATER ANALYSES

WWQ4 Pond 1

Sample and source description: WWQ4 Pond 1

Sample date: 10/27/2022 Material type: Process wastewater Source of analysis: Lab analysis pH: 0.00

	Kjeldahl-N (mg/L)	NH4-N (mg/L)	NH3-N (mg/L)	Nitrate-N (mg/L)	Total P (mg/L)	Total K (mg/L)	Calcium (mg/L)	Magnes. (mg/L)	Sodium (mg/L)	Bicarb. (mg/L)	Carb. (mg/L)	Sulfate (mg/L)	Chloride (mg/L)	EC (µmhos/cm)	TDS (mg/L)
Value	450.00	297.00	0.00	0.00	41.90	452.00	0.00	0.00	0.00	0.00	0.00	0.00	0.00	6,820.00	3,900
DL	0.50	0.50	0.50	0.50	0.50	0.50	0.50	0.50	0.50	0.50	2.00	1.00	0.10	1.00	10

WWQ4 Pond 2

Sample and source description: WWQ4 Pond 2

Sample date: 10/27/2022 Material type: Process wastewater Source of analysis: Lab analysis pH: 0.00

	Kjeldahl-N (mg/L)	NH4-N (mg/L)	NH3-N (mg/L)	Nitrate-N (mg/L)	Total P (mg/L)	Total K (mg/L)	Calcium (mg/L)	Magnes. (mg/L)	Sodium (mg/L)	Bicarb. (mg/L)	Carb. (mg/L)	Sulfate (mg/L)	Chloride (mg/L)	EC (µmhos/cm)	TDS (mg/L)
Value	750.00	192.00	0.00	0.00	14.00	452.00	0.00	0.00	0.00	0.00	0.00	0.00	0.00	3,970.00	5,920
DL	0.50	0.50	0.50	0.50	0.50	0.50	0.50	0.50	0.50	0.50	2.00	1.00	0.10	1.00	10

WWQ1 Pond 1

Sample and source description: WWQ1 Pond 1

Sample date: 02/09/2023 Material type: Process wastewater Source of analysis: Lab analysis pH: 0.00

	Kjeldahl-N (mg/L)	NH4-N (mg/L)	NH3-N (mg/L)	Nitrate-N (mg/L)	Total P (mg/L)	Total K (mg/L)	Calcium (mg/L)	Magnes. (mg/L)	Sodium (mg/L)	Bicarb. (mg/L)	Carb. (mg/L)	Sulfate (mg/L)	Chloride (mg/L)	EC (µmhos/cm)	TDS (mg/L)
Value	848.00	454.00	0.00	0.00	132.00	950.00	0.00	0.00	0.00	0.00	0.00	0.00	0.00	7,600.00	5,080
DL	0.50	0.50	0.50	0.50	0.50	0.50	0.50	0.50	0.50	0.50	2.00	1.00	0.10	1.00	10

WWQ1 Pond 2

Sample and source description: WWQ1 Pond 2

Sample date: 02/09/2023 Material type: Process wastewater Source of analysis: Lab analysis pH: 0.00

	Kjeldahl-N (mg/L)	NH4-N (mg/L)	NH3-N (mg/L)	Nitrate-N (mg/L)	Total P (mg/L)	Total K (mg/L)	Calcium (mg/L)	Magnes. (mg/L)	Sodium (mg/L)	Bicarb. (mg/L)	Carb. (mg/L)	Sulfate (mg/L)	Chloride (mg/L)	EC (µmhos/cm)	TDS (mg/L)
Value	470.00	297.00	0.00	0.00	59.00	675.00	0.00	0.00	0.00	0.00	0.00	0.00	0.00	6,440.00	4,500
DL	0.50	0.50	0.50	0.50	0.50	0.50	0.50	0.50	0.50	0.50	2.00	1.00	0.10	1.00	10

WWQ2 Pond 1

Sample and source description: WWQ2 Pond 1

Sample date: 05/18/2023 Material type: Process wastewater Source of analysis: Lab analysis pH: 0.00

	Kjeldahl-N (mg/L)	NH4-N (mg/L)	NH3-N (mg/L)	Nitrate-N (mg/L)	Total P (mg/L)	Total K (mg/L)	Calcium (mg/L)	Magnes. (mg/L)	Sodium (mg/L)	Bicarb. (mg/L)	Carb. (mg/L)	Sulfate (mg/L)	Chloride (mg/L)	EC (µmhos/cm)	TDS (mg/L)
Value	585.00	333.00	0.00	0.00	58.30	750.00	226.00	177.00	361.00	3,780.00	0.00	121.00	262.00	7,770.00	5,800
DL	0.50	0.50	0.50	0.50	0.50	0.50	0.50	0.50	0.50	0.50	2.00	1.00	0.10	1.00	10

WWQ2 Pond 2

Sample and source description: WWQ2 Pond 2

Sample date: 05/18/2023 Material type: Process wastewater Source of analysis: Lab analysis pH: 0.00

	Kjeldahl-N (mg/L)	NH4-N (mg/L)	NH3-N (mg/L)	Nitrate-N (mg/L)	Total P (mg/L)	Total K (mg/L)	Calcium (mg/L)	Magnes. (mg/L)	Sodium (mg/L)	Bicarb. (mg/L)	Carb. (mg/L)	Sulfate (mg/L)	Chloride (mg/L)	EC (µmhos/cm)	TDS (mg/L)
Value	510.00	364.00	0.00	0.00	31.10	721.00	0.00	0.00	0.00	0.00	0.00	0.00	0.00	7,530.00	5,780
DL	0.50	0.50	0.50	0.50	0.50	0.50	0.50	0.50	0.50	0.50	2.00	1.00	0.10	1.00	10

WWQ2 Import from Dairy #2

Sample and source description: WWQ2 Import from Dairy #2

Sample date: 06/02/2023 Material type: Process wastewater Source of analysis: Lab analysis pH: 0.00

	Kjeldahl-N (mg/L)	NH4-N (mg/L)	NH3-N (mg/L)	Nitrate-N (mg/L)	Total P (mg/L)	Total K (mg/L)	Calcium (mg/L)	Magnes. (mg/L)	Sodium (mg/L)	Bicarb. (mg/L)	Carb. (mg/L)	Sulfate (mg/L)	Chloride (mg/L)	EC (µmhos/cm)	TDS (mg/L)
Value	330.00	218.00	0.00	0.00	43.40	521.00	100.00	101.00	232.00	2,000.00	0.00	200.00	397.00	4,930.00	3,980
DL	0.50	0.50	0.50	0.50	0.50	0.50	0.50	0.50	0.50	0.50	2.00	1.00	0.10	1.00	10

WWQ3 Import from Dairy #2

Sample and source description: WWQ3 Import from Dairy #2

Sample date: 07/27/2023 Material type: Process wastewater Source of analysis: Lab analysis pH: 0.00

	Kjeldahl-N (mg/L)	NH4-N (mg/L)	NH3-N (mg/L)	Nitrate-N (mg/L)	Total P (mg/L)	Total K (mg/L)	Calcium (mg/L)	Magnes. (mg/L)	Sodium (mg/L)	Bicarb. (mg/L)	Carb. (mg/L)	Sulfate (mg/L)	Chloride (mg/L)	EC (µmhos/cm)	TDS (mg/L)
Value	1,090.00	339.00	0.00	0.00	29.50	833.00	0.00	0.00	0.00	0.00	0.00	0.00	0.00	5,820.00	5,060
DL	0.50	0.50	0.50	0.50	0.50	0.50	0.50	0.50	0.50	0.50	2.00	1.00	0.10	1.00	10

WWQ3 Pond 1

Sample and source description: WWQ3 Pond 1

Sample date: 07/28/2023 Material type: Process wastewater Source of analysis: Lab analysis pH: 0.00

	Kjeldahl-N (mg/L)	NH4-N (mg/L)	NH3-N (mg/L)	Nitrate-N (mg/L)	Total P (mg/L)	Total K (mg/L)	Calcium (mg/L)	Magnes. (mg/L)	Sodium (mg/L)	Bicarb. (mg/L)	Carb. (mg/L)	Sulfate (mg/L)	Chloride (mg/L)	EC (µmhos/cm)	TDS (mg/L)
Value	426.00	216.00	0.00	0.00	50.90	463.00	0.00	0.00	0.00	0.00	0.00	0.00	0.00	5,350.00	3,780
DL	0.50	0.50	0.50	0.50	0.50	0.50	0.50	0.50	0.50	0.50	2.00	1.00	0.10	1.00	10

WWQ3 Pond 2

Sample and source description: WWQ3 Pond 2

Sample date: 07/28/2023 Material type: Process wastewater Source of analysis: Lab analysis pH: 0.00

	Kjeldahl-N (mg/L)	NH4-N (mg/L)	NH3-N (mg/L)	Nitrate-N (mg/L)	Total P (mg/L)	Total K (mg/L)	Calcium (mg/L)	Magnes. (mg/L)	Sodium (mg/L)	Bicarb. (mg/L)	Carb. (mg/L)	Sulfate (mg/L)	Chloride (mg/L)	EC (µmhos/cm)	TDS (mg/L)
Value	347.00	204.00	0.00	0.00	18.30	382.00	0.00	0.00	0.00	0.00	0.00	0.00	0.00	4,680.00	3,340
DL	0.50	0.50	0.50	0.50	0.50	0.50	0.50	0.50	0.50	0.50	2.00	1.00	0.10	1.00	10

Pond #2 Slury

Sample and source description: Pond #2 Slury

Sample date: 10/20/2023 Material type: Process wastewater sludge Source of analysis: Lab analysis pH: 0.00

	Kjeldahl-N (mg/L)	NH4-N (mg/L)	NH3-N (mg/L)	Nitrate-N (mg/L)	Total P (mg/L)	Total K (mg/L)	Calcium (mg/L)	Magnes. (mg/L)	Sodium (mg/L)	Bicarb. (mg/L)	Carb. (mg/L)	Sulfate (mg/L)	Chloride (mg/L)	EC (µmhos/cm)	TDS (mg/L)
Value	930.00	89.60	0.00	0.00	7.99	10.80	0.00	0.00	0.00	0.00	0.00	0.00	0.00	4,820.00	2,940
DL	0.50	0.50	0.50	0.50	0.50	0.50	0.50	0.50	0.50	0.50	2.00	1.00	0.10	1.00	10

WWQ4 Pond 1

Sample and source description: WWQ4 Pond 1

Sample date: 10/26/2023 Material type: Process wastewater Source of analysis: Lab analysis pH: 0.00

	Kjeldahl-N (mg/L)	NH4-N (mg/L)	NH3-N (mg/L)	Nitrate-N (mg/L)	Total P (mg/L)	Total K (mg/L)	Calcium (mg/L)	Magnes. (mg/L)	Sodium (mg/L)	Bicarb. (mg/L)	Carb. (mg/L)	Sulfate (mg/L)	Chloride (mg/L)	EC (µmhos/cm)	TDS (mg/L)
Value	375.00	238.00	0.00	0.00	59.60	433.00	0.00	0.00	0.00	0.00	0.00	0.00	0.00	5,230.00	4,520
DL	0.50	0.50	0.50	0.50	0.50	0.50	0.50	0.50	0.50	0.50	2.00	1.00	0.10	1.00	10

WWQ4 Pond 2

Sample and source description: WWQ4 Pond 2

Sample date: 10/26/2023 Material type: Process wastewater Source of analysis: Lab analysis pH: 0.00

	Kjeldahl-N (mg/L)	NH4-N (mg/L)	NH3-N (mg/L)	Nitrate-N (mg/L)	Total P (mg/L)	Total K (mg/L)	Calcium (mg/L)	Magnes. (mg/L)	Sodium (mg/L)	Bicarb. (mg/L)	Carb. (mg/L)	Sulfate (mg/L)	Chloride (mg/L)	EC (µmhos/cm)	TDS (mg/L)
Value	372.00	235.00	0.00	0.00	57.10	438.00	0.00	0.00	0.00	0.00	0.00	0.00	0.00	5,120.00	4,480
DL	0.50	0.50	0.50	0.50	0.50	0.50	0.50	0.50	0.50	0.50	2.00	1.00	0.10	1.00	10

C. FRESH WATER ANALYSES

IW 1 MItchell

IW 1 MItchell

IW MItchell

Sample description: IW MItchell

Sample date: 08/11/2023 Source of analysis: Lab analysis

	Total N (mg/L)	NH4-N (mg/L)	Nitrate-N (mg/L)	Calcium (mg/L)	Magnesium (mg/L)	Sodium (mg/L)	Bicarbonate (mg/L)	Carbonate (mg/L)	Sulfate (mg/L)	Chloride (mg/L)	EC (µmhos/cm)	TDS (mg/L)
Value	64.50	0.00	0.00	0.00	0.00	0.00	0.00	0.00	0.00	0.00	1.50	825
DL	0.50	0.50	0.50	0.50	0.50	0.50	0.50	2.00	1.00	0.10	1.00	10

IW 2 Mitchell Trees

IW 2 Mitchell Trees

Sample description: IW 2 Mitchell Trees

Sample date: 08/11/2023 Source of analysis: Lab analysis

	Total N (mg/L)	NH4-N (mg/L)	Nitrate-N (mg/L)	Calcium (mg/L)	Magnesium (mg/L)	Sodium (mg/L)	Bicarbonate (mg/L)	Carbonate (mg/L)	Sulfate (mg/L)	Chloride (mg/L)	EC (µmhos/cm)	TDS (mg/L)
Value	41.40	0.00	0.00	0.00	0.00	0.00	0.00	0.00	0.00	0.00	1,230.00	685
DL	0.50	0.50	0.50	0.50	0.50	0.50	0.50	2.00	1.00	0.10	1.00	10

IW 3 Bruans

IW 3 Bruans

Sample description: IW 3 Bruans

Sample date: 08/11/2023 Source of analysis: Lab analysis

	Total N (mg/L)	NH4-N (mg/L)	Nitrate-N (mg/L)	Calcium (mg/L)	Magnesium (mg/L)	Sodium (mg/L)	Bicarbonate (mg/L)	Carbonate (mg/L)	Sulfate (mg/L)	Chloride (mg/L)	EC (µmhos/cm)	TDS (mg/L)
Value	69.70	0.00	0.00	0.00	0.00	0.00	0.00	0.00	0.00	0.00	1,750.00	1,010
DL	0.50	0.50	0.50	0.50	0.50	0.50	0.50	2.00	1.00	0.10	1.00	10

IW 4 ET Vincent

IW 4 ET Vincent

IW 4 ET Vincent

Sample description: IW 4 ET Vincent

Sample date: 08/11/2023 Source of analysis: Lab analysis

	Total N (mg/L)	NH4-N (mg/L)	Nitrate-N (mg/L)	Calcium (mg/L)	Magnesium (mg/L)	Sodium (mg/L)	Bicarbonate (mg/L)	Carbonate (mg/L)	Sulfate (mg/L)	Chloride (mg/L)	EC (µmhos/cm)	TDS (mg/L)
Value	62.50	0.00	0.00	0.00	0.00	0.00	0.00	0.00	0.00	0.00	1,560.00	830
DL	0.50	0.50	0.50	0.50	0.50	0.50	0.50	2.00	1.00	0.10	1.00	10

IW 6 Cabrals

IW 6 Cabrals

Sample description: IW 6 Cabrals

Sample date: 08/11/2023 Source of analysis: Lab analysis

	Total N (mg/L)	NH4-N (mg/L)	Nitrate-N (mg/L)	Calcium (mg/L)	Magnesium (mg/L)	Sodium (mg/L)	Bicarbonate (mg/L)	Carbonate (mg/L)	Sulfate (mg/L)	Chloride (mg/L)	EC (µmhos/cm)	TDS (mg/L)
Value	0.00	0.00	0.00	0.00	0.00	0.00	0.00	0.00	0.00	0.00	2,810.00	1,420
DL	0.50	0.50	0.50	0.50	0.50	0.50	0.50	2.00	1.00	0.10	1.00	10

TID Lateral 4

TID Lateral 4

Sample description: TID Lateral 4

Sample date: 07/22/2022 Source of analysis: Lab analysis

	Total N (mg/L)	NH4-N (mg/L)	Nitrate-N (mg/L)	Calcium (mg/L)	Magnesium (mg/L)	Sodium (mg/L)	Bicarbonate (mg/L)	Carbonate (mg/L)	Sulfate (mg/L)	Chloride (mg/L)	EC (µmhos/cm)	TDS (mg/L)
Value	0.00	0.00	0.00	0.00	0.00	0.00	0.00	0.00	0.00	0.00	0.00	0
DL	0.50	0.50	0.50	0.50	0.50	0.50	0.50	2.00	1.00	0.10	1.00	10

TID Lateral 4

TID Lateral 4

Sample description: TID Lateral 4

Sample date: 07/25/2023 Source of analysis: Lab analysis

	Total N (mg/L)	NH4-N (mg/L)	Nitrate-N (mg/L)	Calcium (mg/L)	Magnesium (mg/L)	Sodium (mg/L)	Bicarbonate (mg/L)	Carbonate (mg/L)	Sulfate (mg/L)	Chloride (mg/L)	EC (µmhos/cm)	TDS (mg/L)
Value	0.00	0.00	0.00								31.10	26
DL	1.00	0.50	0.50								10.00	10

TID Lateral 5 1/2

TID Lateral 5 1/2

Sample description: TID Lateral 5 1/2

Sample date: 08/23/2022 Source of analysis: Lab analysis

	Total N (mg/L)	NH4-N (mg/L)	Nitrate-N (mg/L)	Calcium (mg/L)	Magnesium (mg/L)	Sodium (mg/L)	Bicarbonate (mg/L)	Carbonate (mg/L)	Sulfate (mg/L)	Chloride (mg/L)	EC (µmhos/cm)	TDS (mg/L)
Value	2.80	0.00	0.00	0.00	0.00	0.00	0.00	0.00	0.00	0.00	833.00	15
DL	0.50	0.50	0.50	0.50	0.50	0.50	0.50	2.00	1.00	0.10	1.00	10

TID Lateral 5 1/2

Sample description: TID Lateral 5 1/2

Sample date: 08/28/2023 Source of analysis: Lab analysis

	Total N (mg/L)	NH4-N (mg/L)	Nitrate-N (mg/L)	Calcium (mg/L)	Magnesium (mg/L)	Sodium (mg/L)	Bicarbonate (mg/L)	Carbonate (mg/L)	Sulfate (mg/L)	Chloride (mg/L)	EC (µmhos/cm)	TDS (mg/L)
Value	0.00	0.00	0.00	0.00	0.00	0.00	0.00	0.00	0.00	0.00	0.00	0
DL	0.50	0.50	0.50	0.50	0.50	0.50	0.50	2.00	1.00	0.10	1.00	10

W 5 Mitchell

W 5 Mitchell

IW 5 Mitchell

Sample description: IW 5 Mitchell

Sample date: 08/11/2023 Source of analysis: Lab analysis

	Total N (mg/L)	NH4-N (mg/L)	Nitrate-N (mg/L)	Calcium (mg/L)	Magnesium (mg/L)	Sodium (mg/L)	Bicarbonate (mg/L)	Carbonate (mg/L)	Sulfate (mg/L)	Chloride (mg/L)	EC (µmhos/cm)	TDS (mg/L)
Value	26.00	0.00	0.00	0.00	0.00	0.00	0.00	0.00	0.00	0.00	846.00	420
DL	0.50	0.50	0.50	0.50	0.50	0.50	0.50	2.00	1.00	0.10	1.00	10

D. SOIL ANALYSES

7-7

Soil

Sample and source description: Soil

Sample date: 10/26/2023 Source of analysis: Lab analysis

	Nitrate-N (mg/kg)	Total P (mg/kg)	Soluble P (mg/kg)	K (mg/kg)	EC (µmhos/cm)	Organic matter (%)	Total salt (mg/kg)
Value			93.30				
DL			4.00				

Airstrip

Soil

Sample and source description: Soil

Sample date: 10/13/2023 Source of analysis: Lab analysis

	Nitrate-N (mg/kg)	Total P (mg/kg)	Soluble P (mg/kg)	K (mg/kg)	EC (µmhos/cm)	Organic matter (%)	Total salt (mg/kg)
Value			136.00				
DL			4.00				

Art's

Art's

Soil

Sample and source description: Soil

Sample date: 10/28/2023 Source of analysis: Lab analysis

	Nitrate-N (mg/kg)	Total P (mg/kg)	Soluble P (mg/kg)	K (mg/kg)	EC (µmhos/cm)	Organic matter (%)	Total salt (mg/kg)
Value			119.00				
DL			4.00				

Browns East

Soil

Sample and source description: Soil

Sample date: 10/08/2023 Source of analysis: Lab analysis

	Nitrate-N (mg/kg)	Total P (mg/kg)	Soluble P (mg/kg)	K (mg/kg)	EC (µmhos/cm)	Organic matter (%)	Total salt (mg/kg)
Value			386.00				
DL			4.00				

Cabral's

Soil

Sample and source description: Soil

Sample date: 10/28/2023 Source of analysis: Lab analysis

	Nitrate-N (mg/kg)	Total P (mg/kg)	Soluble P (mg/kg)	K (mg/kg)	EC (µmhos/cm)	Organic matter (%)	Total salt (mg/kg)
Value			41.50				
DL			4.00				

Diamond Hay

Diamond Hay

Soil

Sample and source description: Soil

Sample date: 10/13/2023 Source of analysis: Lab analysis

	Nitrate-N (mg/kg)	Total P (mg/kg)	Soluble P (mg/kg)	K (mg/kg)	EC (µmhos/cm)	Organic matter (%)	Total salt (mg/kg)
Value			146.00				
DL			4.00				

Edward's

Soil

Sample and source description: Soil

Sample date: 10/28/2023 Source of analysis: Lab analysis

	Nitrate-N (mg/kg)	Total P (mg/kg)	Soluble P (mg/kg)	K (mg/kg)	EC (µmhos/cm)	Organic matter (%)	Total salt (mg/kg)
Value			105.00				
DL			4.00				

ET Vincent

Soil

Sample and source description: Soil

Sample date: 10/13/2023 Source of analysis: Lab analysis

	Nitrate-N (mg/kg)	Total P (mg/kg)	Soluble P (mg/kg)	K (mg/kg)	EC (µmhos/cm)	Organic matter (%)	Total salt (mg/kg)
Value			231.00				
DL			4.00				

Gomes

Gomes

Soil

Sample and source description: Soil

Sample date: 11/22/2023 Source of analysis: Lab analysis

	Nitrate-N (mg/kg)	Total P (mg/kg)	Soluble P (mg/kg)	K (mg/kg)	EC (µmhos/cm)	Organic matter (%)	Total salt (mg/kg)
Value			243.00				
DL			4.00				

Goodlowe's

Soil

Sample and source description: Soil

Sample date: 10/13/2023 Source of analysis: Lab analysis

	Nitrate-N (mg/kg)	Total P (mg/kg)	Soluble P (mg/kg)	K (mg/kg)	EC (µmhos/cm)	Organic matter (%)	Total salt (mg/kg)
Value			176.00				
DL			4.00				

Justin's

Soil

Sample and source description: Soil

Sample date: 11/22/2023 Source of analysis: Lab analysis

	Nitrate-N (mg/kg)	Total P (mg/kg)	Soluble P (mg/kg)	K (mg/kg)	EC (µmhos/cm)	Organic matter (%)	Total salt (mg/kg)
Value			153.00				
DL			4.00				

Mitchell Trees

Mitchell Trees

Soil

Sample and source description: Soil

Sample date: 12/14/2023 Source of analysis: Lab analysis

	Nitrate-N (mg/kg)	Total P (mg/kg)	Soluble P (mg/kg)	K (mg/kg)	EC (µmhos/cm)	Organic matter (%)	Total salt (mg/kg)
Value			54.50				
DL			4.00				

Pit

Soil

Sample and source description: Soil

Sample date: 10/13/2023 Source of analysis: Lab analysis

	Nitrate-N (mg/kg)	Total P (mg/kg)	Soluble P (mg/kg)	K (mg/kg)	EC (µmhos/cm)	Organic matter (%)	Total salt (mg/kg)
Value			278.00				
DL			4.00				

Pump

Soil

Sample and source description: Soil

Sample date: 10/08/2023 Source of analysis: Lab analysis

	Nitrate-N (mg/kg)	Total P (mg/kg)	Soluble P (mg/kg)	K (mg/kg)	EC (µmhos/cm)	Organic matter (%)	Total salt (mg/kg)
Value			197.00				
DL			4.00				

Rick's 50

Rick's 50

Soil

Sample and source description: Soil

Sample date: 10/13/2023 Source of analysis: Lab analysis

	Nitrate-N (mg/kg)	Total P (mg/kg)	Soluble P (mg/kg)	K (mg/kg)	EC (µmhos/cm)	Organic matter (%)	Total salt (mg/kg)
Value			234.00				
DL			4.00				

RV Barn

Soil

Sample and source description: Soil

Sample date: 10/13/2023 Source of analysis: Lab analysis

	Nitrate-N (mg/kg)	Total P (mg/kg)	Soluble P (mg/kg)	K (mg/kg)	EC (µmhos/cm)	Organic matter (%)	Total salt (mg/kg)
Value			189.00				
DL			4.00				

E. PLANT TISSUE ANALYSES

7-7 - 10/25/2022: Oats, silage-soft dough

Forage

Sample and source description: Forage

Sample date: 05/22/2023 Source of analysis: Lab analysis Method of reporting: As-is

Moisture: 63.6 %

	Total N (mg/kg)	Total P (mg/kg)	Total K (mg/kg)	Total salt (mg/kg)	TFS (%)
Value	3,640.00	530.00	3,570.00		7.20
DL	100.00	100.00	100.00		0.01

7-7 - 06/15/2023: Corn, silage

7-7 - 06/15/2023: Corn, silage

Corn Silage

Sample and source description: Corn Silage

Sample date: 10/18/2023 Source of analysis: Lab analysis Method of reporting: As-is

Moisture: 60.8 %

	Total N (mg/kg)	Total P (mg/kg)	Total K (mg/kg)	Total salt (mg/kg)	TFS (%)
Value	4,140.00	440.00	3,820.00		4.80
DL	100.00	100.00	100.00		0.01

Airstrip - 11/16/2022: Oats, silage-soft dough

Forage

Sample and source description: Forage

Sample date: 05/12/2023 Source of analysis: Lab analysis Method of reporting: As-is

Moisture: 69.4 %

	Total N (mg/kg)	Total P (mg/kg)	Total K (mg/kg)	Total salt (mg/kg)	TFS (%)
Value	5,690.00	980.00	11,000.00		7.78
DL	100.00	100.00	100.00		0.01

Forage

Sample and source description: Forage

Sample date: 05/12/2023 Source of analysis: Lab analysis Method of reporting: As-is

Moisture: 69.6 %

	Total N (mg/kg)	Total P (mg/kg)	Total K (mg/kg)	Total salt (mg/kg)	TFS (%)
Value	6,410.00	1,030.00	10,900.00		8.32
DL	100.00	100.00	100.00		0.01

Airstrip - 05/28/2023: Corn, silage

Airstrip - 05/28/2023: Corn, silage

Corn Silage

Sample and source description: Corn Silage
Sample date: 09/18/2023 Source of analysis: Lab analysis Method of reporting: As-is
Moisture: 59.2 %

	Total N (mg/kg)	Total P (mg/kg)	Total K (mg/kg)	Total salt (mg/kg)	TFS (%)
Value	5,180.00	520.00	3,720.00		5.40
DL	100.00	100.00	100.00		0.01

Corn Silage

Sample and source description: Corn Silage
Sample date: 09/18/2023 Source of analysis: Lab analysis Method of reporting: As-is
Moisture: 65.0 %

	Total N (mg/kg)	Total P (mg/kg)	Total K (mg/kg)	Total salt (mg/kg)	TFS (%)
Value	4,030.00	410.00	3,620.00		6.55
DL	100.00	100.00	100.00		0.01

Art's - 10/23/2022: Oats, silage-soft dough

Forage

Sample and source description: Forage
Sample date: 04/24/2023 Source of analysis: Lab analysis Method of reporting: As-is
Moisture: 72.0 %

	Total N (mg/kg)	Total P (mg/kg)	Total K (mg/kg)	Total salt (mg/kg)	TFS (%)
Value	6,130.00	1,200.00	11,500.00		10.80
DL	100.00	100.00	100.00		0.01

Art's - 05/19/2023: Corn, silage

Art's - 05/19/2023: Corn, silage

Corn Silage

Sample and source description: Corn Silage

Sample date: 09/01/2023 Source of analysis: Lab analysis Method of reporting: As-is

Moisture: 68.5 %

	Total N (mg/kg)	Total P (mg/kg)	Total K (mg/kg)	Total salt (mg/kg)	TFS (%)
Value	3,530.00	730.00	5,760.00		6.54
DL	100.00	100.00	100.00		0.01

Browns East - 11/02/2022: Oats, silage-soft dough

Forage

Sample and source description: Forage

Sample date: 04/27/2023 Source of analysis: Lab analysis Method of reporting: As-is

Moisture: 82.0 %

	Total N (mg/kg)	Total P (mg/kg)	Total K (mg/kg)	Total salt (mg/kg)	TFS (%)
Value	5,370.00	670.00	6,460.00		10.90
DL	100.00	100.00	100.00		0.01

Browns East - 05/12/2023: Corn, silage

Corn Silage

Sample and source description: Corn Silage

Sample date: 09/05/2023 Source of analysis: Lab analysis Method of reporting: As-is

Moisture: 60.4 %

	Total N (mg/kg)	Total P (mg/kg)	Total K (mg/kg)	Total salt (mg/kg)	TFS (%)
Value	4,440.00	660.00	6,290.00		6.69
DL	100.00	100.00	100.00		0.01

Cabral's - 10/26/2022: Oats, silage-soft dough

Forage

Sample and source description: Forage

Sample date: 05/10/2023 Source of analysis: Lab analysis Method of reporting: As-is

Moisture: 64.2 %

	Total N (mg/kg)	Total P (mg/kg)	Total K (mg/kg)	Total salt (mg/kg)	TFS (%)
Value	3,790.00	610.00	4,480.00		9.43
DL	100.00	100.00	100.00		0.01

Forage

Sample and source description: Forage

Sample date: 05/10/2023 Source of analysis: Lab analysis Method of reporting: As-is

Moisture: 62.9 %

	Total N (mg/kg)	Total P (mg/kg)	Total K (mg/kg)	Total salt (mg/kg)	TFS (%)
Value	3,190.00	610.00	3,980.00		8.97
DL	100.00	100.00	100.00		0.01

Forage

Sample and source description: Forage

Sample date: 05/10/2023 Source of analysis: Lab analysis Method of reporting: As-is

Moisture: 63.9 %

	Total N (mg/kg)	Total P (mg/kg)	Total K (mg/kg)	Total salt (mg/kg)	TFS (%)
Value	3,540.00	550.00	3,570.00		8.36
DL	100.00	100.00	100.00		0.01

Cabral's - 06/14/2023: Corn, silage

Cabral's - 06/14/2023: Corn, silage

Corn Silage

Sample and source description: Corn Silage
Sample date: 10/11/2023 Source of analysis: Lab analysis Method of reporting: As-is
Moisture: 63.8 %

	Total N (mg/kg)	Total P (mg/kg)	Total K (mg/kg)	Total salt (mg/kg)	TFS (%)
Value	4,240.00	480.00	3,950.00		4.40
DL	100.00	100.00	100.00		0.01

Corn Silage

Sample and source description: Corn Silage
Sample date: 10/11/2023 Source of analysis: Lab analysis Method of reporting: As-is
Moisture: 64.8 %

	Total N (mg/kg)	Total P (mg/kg)	Total K (mg/kg)	Total salt (mg/kg)	TFS (%)
Value	4,360.00	400.00	4,170.00		6.70
DL	100.00	100.00	100.00		0.01

Corn Silage

Sample and source description: Corn Silage
Sample date: 10/11/2023 Source of analysis: Lab analysis Method of reporting: As-is
Moisture: 64.8 %

	Total N (mg/kg)	Total P (mg/kg)	Total K (mg/kg)	Total salt (mg/kg)	TFS (%)
Value	3,800.00	360.00	9,940.00		5.80
DL	100.00	100.00	100.00		0.01

Devin's - 02/01/1996: Almond, in shell

Devin's - 02/01/1996: Almond, in shell

Almonds

Sample and source description: Almonds

Sample date: 09/22/2023 Source of analysis: Lab analysis Method of reporting: As-is

Moisture: 12.3 %

	Total N (mg/kg)	Total P (mg/kg)	Total K (mg/kg)	Total salt (mg/kg)	TFS (%)
Value	18,200.00	1,900.00	16,200.00		10.50
DL	100.00	100.00	100.00		0.01

Diamond Hay - 11/19/2022: Oats, silage-soft dough

Forage

Sample and source description: Forage

Sample date: 05/18/2023 Source of analysis: Lab analysis Method of reporting: As-is

Moisture: 71.7 %

	Total N (mg/kg)	Total P (mg/kg)	Total K (mg/kg)	Total salt (mg/kg)	TFS (%)
Value	4,470.00	960.00	10,200.00		8.58
DL	100.00	100.00	100.00		0.01

Diamond Hay - 06/06/2023: Corn, silage

Corn Silage

Sample and source description: Corn Silage

Sample date: 09/26/2023 Source of analysis: Lab analysis Method of reporting: As-is

Moisture: 65.2 %

	Total N (mg/kg)	Total P (mg/kg)	Total K (mg/kg)	Total salt (mg/kg)	TFS (%)
Value	4,700.00	1,050.00	7,180.00		6.66
DL	100.00	100.00	100.00		0.01

Edward's - 10/23/2022: Oats, silage-soft dough

Forage

Sample and source description: Forage

Sample date: 04/24/2023 Source of analysis: Lab analysis Method of reporting: As-is

Moisture: 70.4 %

	Total N (mg/kg)	Total P (mg/kg)	Total K (mg/kg)	Total salt (mg/kg)	TFS (%)
Value	7,020.00	1,270.00	12,400.00		10.10
DL	100.00	100.00	100.00		0.01

Edward's - 05/19/2023: Corn, silage

Corn Silage

Sample and source description: Corn Silage

Sample date: 09/01/2023 Source of analysis: Lab analysis Method of reporting: As-is

Moisture: 68.8 %

	Total N (mg/kg)	Total P (mg/kg)	Total K (mg/kg)	Total salt (mg/kg)	TFS (%)
Value	3,870.00	680.00	4,950.00		6.00
DL	100.00	100.00	100.00		0.01

ET Vincent - 11/18/2022: Oats, silage-soft dough

Forage

Sample and source description: Forage

Sample date: 05/16/2023 Source of analysis: Lab analysis Method of reporting: As-is

Moisture: 69.6 %

	Total N (mg/kg)	Total P (mg/kg)	Total K (mg/kg)	Total salt (mg/kg)	TFS (%)
Value	3,770.00	750.00	6,710.00		10.00
DL	100.00	100.00	100.00		0.01

ET Vincent - 06/05/2023: Corn, silage

Corn Silage

Sample and source description: Corn Silage

Sample date: 09/25/2023 Source of analysis: Lab analysis Method of reporting: As-is

Moisture: 66.2 %

	Total N (mg/kg)	Total P (mg/kg)	Total K (mg/kg)	Total salt (mg/kg)	TFS (%)
Value	5,240.00	890.00	5,860.00		6.20
DL	100.00	100.00	100.00		0.01

Gomes - 11/19/2022: Oats, silage-soft dough

Forage

Sample and source description: Forage

Sample date: 05/18/2023 Source of analysis: Lab analysis Method of reporting: Dry-weight

Moisture: 70.6 %

	Total N (mg/kg)	Total P (mg/kg)	Total K (mg/kg)	Total salt (mg/kg)	TFS (%)
Value	4,700.00	1,260.00	13,200.00		8.01
DL	100.00	100.00	100.00		0.01

Forage

Sample and source description: Forage

Sample date: 05/18/2023 Source of analysis: Lab analysis Method of reporting: As-is

Moisture: 70.0 %

	Total N (mg/kg)	Total P (mg/kg)	Total K (mg/kg)	Total salt (mg/kg)	TFS (%)
Value	5,190.00	1,350.00	12,000.00		7.49
DL	100.00	100.00	100.00		0.01

Gomes - 06/07/2023: Corn, silage

Gomes - 06/07/2023: Corn, silage

Corn Silage

Sample and source description: Corn Silage
Sample date: 10/04/2023 Source of analysis: Lab analysis Method of reporting: As-is
Moisture: 65.8 %

	Total N (mg/kg)	Total P (mg/kg)	Total K (mg/kg)	Total salt (mg/kg)	TFS (%)
Value	3,630.00	750.00	4,380.00		7.20
DL	100.00	100.00	100.00		0.01

Corn Silage

Sample and source description: Corn Silage
Sample date: 10/04/2023 Source of analysis: Lab analysis Method of reporting: As-is
Moisture: 65.6 %

	Total N (mg/kg)	Total P (mg/kg)	Total K (mg/kg)	Total salt (mg/kg)	TFS (%)
Value	2,920.00	770.00	4,710.00		5.90
DL	100.00	100.00	100.00		0.01

Goodlowe's - 11/18/2022: Oats, silage-soft dough

Forage

Sample and source description: Forage
Sample date: 05/18/2023 Source of analysis: Lab analysis Method of reporting: As-is
Moisture: 72.7 %

	Total N (mg/kg)	Total P (mg/kg)	Total K (mg/kg)	Total salt (mg/kg)	TFS (%)
Value	4,150.00	1,200.00	13,700.00		8.87
DL	100.00	100.00	100.00		0.01

Goodlowe's - 06/03/2023: Corn, silage

Goodlowe's - 06/03/2023: Corn, silage

Corn Silage

Sample and source description: Corn Silage

Sample date: 09/26/2023 Source of analysis: Lab analysis Method of reporting: As-is

Moisture: 64.4 %

	Total N (mg/kg)	Total P (mg/kg)	Total K (mg/kg)	Total salt (mg/kg)	TFS (%)
Value	4,410.00	920.00	7,260.00		5.88
DL	100.00	100.00	100.00		0.01

Jones - 05/14/2018: Almond, in shell

Almonds

Sample and source description: Almonds

Sample date: 09/22/2023 Source of analysis: Lab analysis Method of reporting: As-is

Moisture: 12.3 %

	Total N (mg/kg)	Total P (mg/kg)	Total K (mg/kg)	Total salt (mg/kg)	TFS (%)
Value	18,900.00	1,830.00	18,000.00		10.30
DL	100.00	100.00	100.00		0.01

Justin's - 11/08/2021: Alfalfa, hay

Alfalfa

Sample and source description: Alfalfa

Sample date: 08/24/2023 Source of analysis: Lab analysis Method of reporting: As-is

Moisture: 12.4 %

	Total N (mg/kg)	Total P (mg/kg)	Total K (mg/kg)	Total salt (mg/kg)	TFS (%)
Value	27,100.00	2,400.00	15,500.00		10.70
DL	100.00	100.00	100.00		0.01

Lamb's - 11/15/2022: Oats, silage-soft dough

Forage

Sample and source description: Forage

Sample date: 05/12/2023 Source of analysis: Lab analysis Method of reporting: As-is

Moisture: 73.8 %

	Total N (mg/kg)	Total P (mg/kg)	Total K (mg/kg)	Total salt (mg/kg)	TFS (%)
Value	5,140.00	1,340.00	13,100.00		10.80
DL	100.00	100.00	100.00		0.01

Lamb's - 05/29/2023: Corn, silage

Corn Silage

Sample and source description: Corn Silage

Sample date: 09/12/2023 Source of analysis: Lab analysis Method of reporting: As-is

Moisture: 72.4 %

	Total N (mg/kg)	Total P (mg/kg)	Total K (mg/kg)	Total salt (mg/kg)	TFS (%)
Value	4,470.00	780.00	7,950.00		7.68
DL	100.00	100.00	100.00		0.01

Mitchell Trees - 02/01/2001: Almond, in shell

Almond

Sample and source description: Almond

Sample date: 09/22/2023 Source of analysis: Lab analysis Method of reporting: As-is

Moisture: 12.3 %

	Total N (mg/kg)	Total P (mg/kg)	Total K (mg/kg)	Total salt (mg/kg)	TFS (%)
Value	18,900.00	1,830.00	18,000.00		10.30
DL	100.00	100.00	100.00		0.01

Pit - 11/18/2022: Oats, silage-soft dough

Forage

Sample and source description: Forage

Sample date: 05/16/2023 Source of analysis: Lab analysis Method of reporting: As-is

Moisture: 73.0 %

	Total N (mg/kg)	Total P (mg/kg)	Total K (mg/kg)	Total salt (mg/kg)	TFS (%)
Value	3,620.00	760.00	6,370.00		11.40
DL	100.00	100.00	100.00		0.01

Pit - 06/04/2023: Corn, silage

Corn Silage

Sample and source description: Corn Silage

Sample date: 09/25/2023 Source of analysis: Lab analysis Method of reporting: As-is

Moisture: 63.6 %

	Total N (mg/kg)	Total P (mg/kg)	Total K (mg/kg)	Total salt (mg/kg)	TFS (%)
Value	5,170.00	610.00	4,930.00		5.70
DL	100.00	100.00	100.00		0.01

Pump - 11/17/2022: Oats, silage-soft dough

Forage

Sample and source description: Forage

Sample date: 05/15/2023 Source of analysis: Lab analysis Method of reporting: As-is

Moisture: 63.5 %

	Total N (mg/kg)	Total P (mg/kg)	Total K (mg/kg)	Total salt (mg/kg)	TFS (%)
Value	6,940.00	1,190.00	9,370.00		9.77
DL	100.00	100.00	100.00		0.01

Pump - 06/06/2023: Corn, silage

Corn Silage

Sample and source description: Corn Silage

Sample date: 09/25/2023 Source of analysis: Lab analysis Method of reporting: As-is

Moisture: 57.2 %

	Total N (mg/kg)	Total P (mg/kg)	Total K (mg/kg)	Total salt (mg/kg)	TFS (%)
Value	5,350.00	990.00	8,370.00		6.40
DL	100.00	100.00	100.00		0.01

Rick's 50 - 10/21/2022: Oats, silage-soft dough

Forage

Sample and source description: Forage

Sample date: 04/26/2023 Source of analysis: Lab analysis Method of reporting: As-is

Moisture: 73.0 %

	Total N (mg/kg)	Total P (mg/kg)	Total K (mg/kg)	Total salt (mg/kg)	TFS (%)
Value	4,550.00	1,020.00	7,200.00		10.70
DL	100.00	100.00	100.00		0.01

Rick's 50 - 05/11/2023: Corn, silage

Corn Silage

Sample and source description: Corn Silage

Sample date: 09/05/2023 Source of analysis: Lab analysis Method of reporting: As-is

Moisture: 61.3 %

	Total N (mg/kg)	Total P (mg/kg)	Total K (mg/kg)	Total salt (mg/kg)	TFS (%)
Value	4,760.00	750.00	5,830.00		6.89
DL	100.00	100.00	100.00		0.01

Rick's 50 - 05/11/2023: Corn, silage

Corn Silage

Sample and source description: Corn Silage

Sample date: 09/05/2023 Source of analysis: Lab analysis Method of reporting: As-is

Moisture: 61.7 %

	Total N (mg/kg)	Total P (mg/kg)	Total K (mg/kg)	Total salt (mg/kg)	TFS (%)
Value	4,330.00	630.00	5,990.00		6.52
DL	100.00	100.00	100.00		0.01

RV Barn - 11/15/2022: Oats, silage-soft dough

Forage

Sample and source description: Forage

Sample date: 04/26/2023 Source of analysis: Lab analysis Method of reporting: As-is

Moisture: 72.8 %

	Total N (mg/kg)	Total P (mg/kg)	Total K (mg/kg)	Total salt (mg/kg)	TFS (%)
Value	4,670.00	980.00	6,850.00		10.60
DL	100.00	100.00	100.00		0.01

Forage

Sample and source description: Forage

Sample date: 05/12/2023 Source of analysis: Lab analysis Method of reporting: As-is

Moisture: 72.4 %

	Total N (mg/kg)	Total P (mg/kg)	Total K (mg/kg)	Total salt (mg/kg)	TFS (%)
Value	5,520.00	1,270.00	12,700.00		9.92
DL	100.00	100.00	100.00		0.01

RV Barn - 05/27/2023: Corn, silage

RV Barn - 05/27/2023: Corn, silage

Corn Silage

Sample and source description: Corn Silage

Sample date: 09/12/2023 Source of analysis: Lab analysis Method of reporting: As-is

Moisture: 70.0 %

	Total N (mg/kg)	Total P (mg/kg)	Total K (mg/kg)	Total salt (mg/kg)	TFS (%)
Value	9,400.00	760.00	7,010.00		7.49
DL	100.00	100.00	100.00		0.01

Shop - 02/01/1995: Almond, in shell

Almonds

Sample and source description: Almonds

Sample date: 09/22/2023 Source of analysis: Lab analysis Method of reporting: As-is

Moisture: 12.3 %

	Total N (mg/kg)	Total P (mg/kg)	Total K (mg/kg)	Total salt (mg/kg)	TFS (%)
Value	18,200.00	1,900.00	16,200.00		10.50
DL	100.00	100.00	100.00		0.01

F. SUBSURFACE (TILE) DRAINAGE ANALYSES

No subsurface (tile) drainage analyses entered.

NUTRIENT APPLICATIONS, POTENTIAL REMOVAL, AND BALANCE

A. SUMMARY OF NUTRIENT APPLICATIONS, POTENTIAL REMOVAL, AND BALANCE

	Total N (lbs)	Total P (lbs)	Total K (lbs)	Total salt (lbs)
Existing soil nutrient content	0.00	0.00	0.00	0.00
Plowdown credit	0.00	0.00	0.00	0.00
Commercial fertilizer / Other	38,870.48	3,887.78	7,503.86	0.00
Dry manure	101,949.84	40,304.50	47,689.44	1,605,613.48
Process wastewater	189,842.13	12,579.52	214,815.03	1,782,403.63
Fresh water	397.46	0.00	0.00	361,885.81
Atmospheric deposition	10,430.00	0.00	0.00	0.00
Total nutrients applied	341,489.91	56,771.80	270,008.34	3,749,902.91
Anticipated crop nutrient removal	280,715.00	48,476.90	239,812.50	0.00
Actual crop nutrient removal	283,739.93	46,943.44	397,691.17	1,504,201.98
Nutrient balance	57,749.98	9,828.36	-127,682.83	2,245,700.93
Applied to removed ratio	1.20	1.21	0.68	2.49

B. POUNDS OF NUTRIENT APPLIED VS. CROP REMOVAL

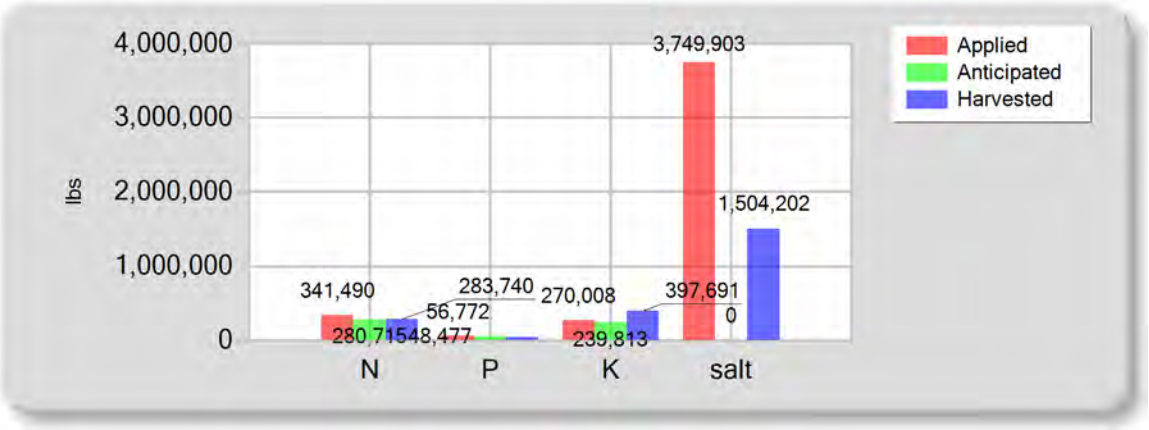

C. POUNDS OF NUTRIENT APPLIED BY MATERIAL TYPE

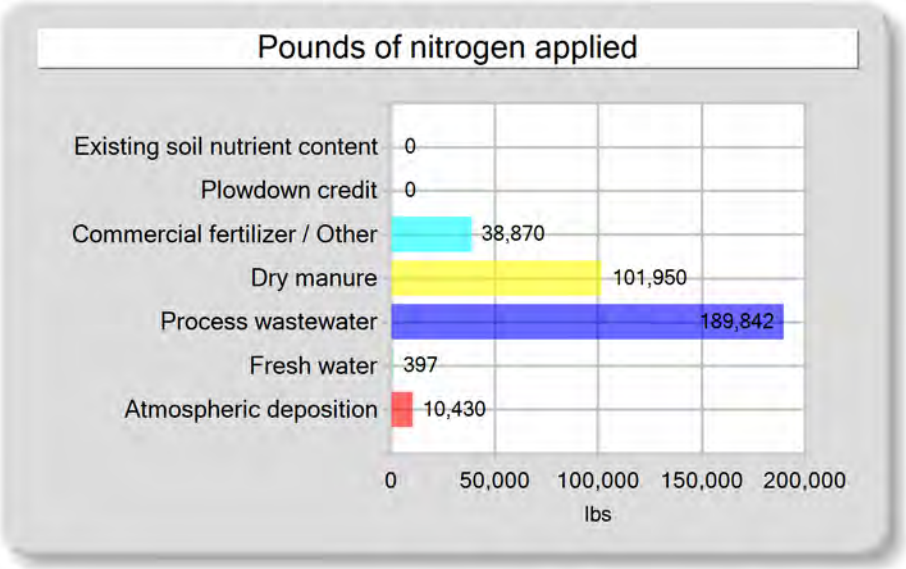

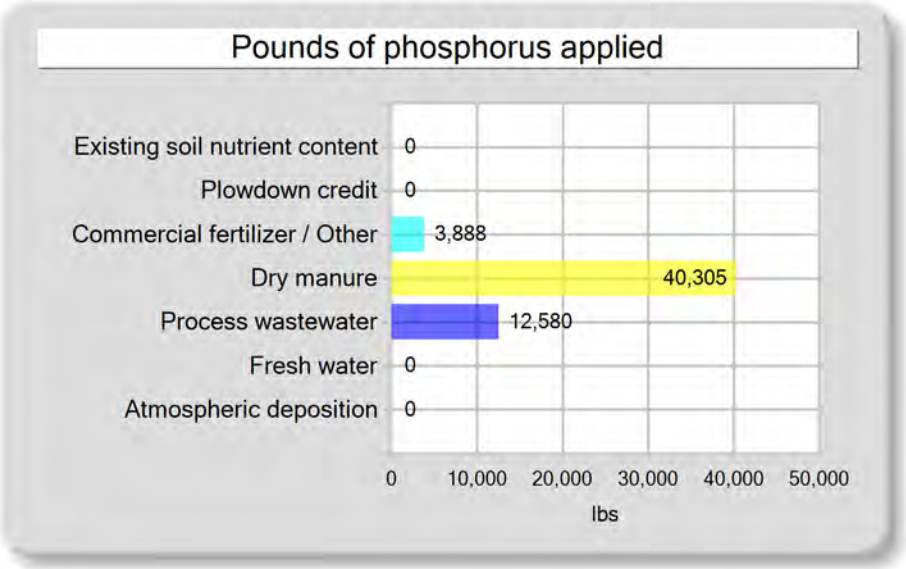

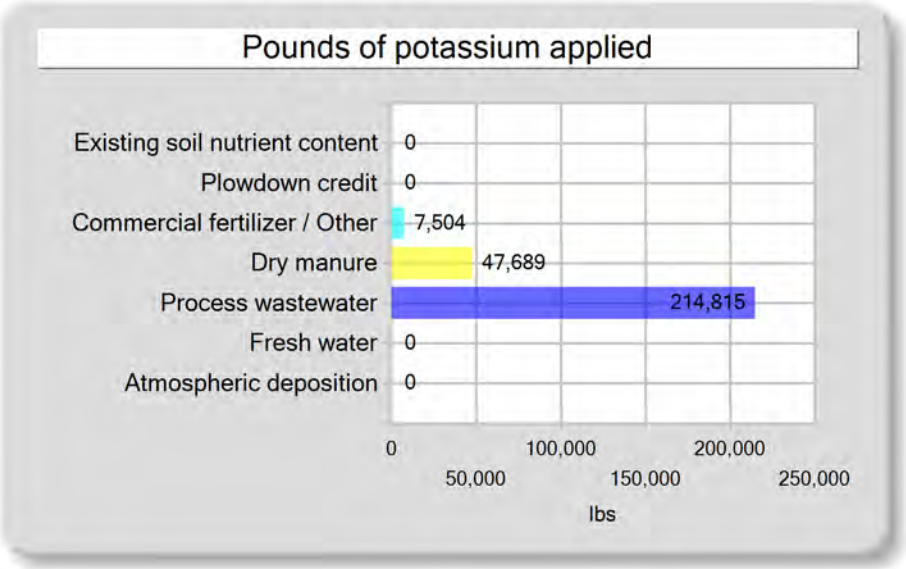

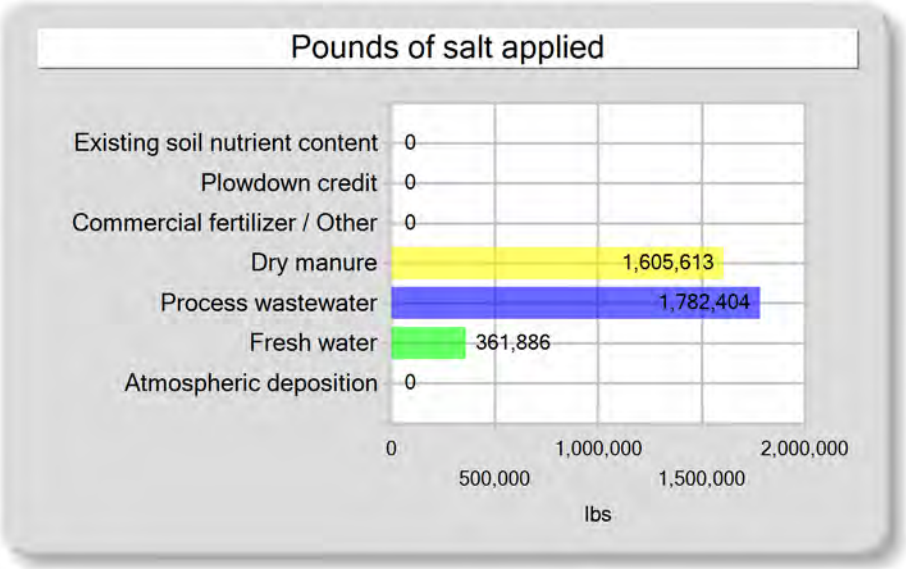

EXCEPTION REPORTING

A. MANURE, PROCESS WASTEWATER, AND OTHER DAIRY WASTE DISCHARGES

The following is a summary of all manure and process wastewater discharges from the production area to surface water or to land areas (land application areas or otherwise) when not in accordance with the facility's Nutrient Management Plan.

No manure or process wastewater discharges occurred during the reporting period.

B. STORM WATER DISCHARGES

The following is a summary of all storm water discharges from the production area to surface water during the reporting period when not in accordance with the facility 's Nutrient Management Plan.

No stormwater discharges occurred during the reporting period.

C. LAND APPLICATION AREA TO SURFACE WATER DISCHARGES

The following is a summary of all discharges from the land application area to surface water that have occurred during the reporting period when not in accordance with the facility's Nutrient Management Plan.

No land application area to surface water discharges occurred during the reporting period.

NUTRIENT MANAGEMENT PLAN AND EXPORT AGREEMENT STATEMENTS

A. NUTRIENT MANAGEMENT PLAN STATEMENTS

Was the facility's NMP updated in the reporting period?	No
Was the facility's NMP developed by a certified nutrient management planner (specialist) as specified in Attachment C of the General Order?	Yes
Was the facility's NMP approved by a certified nutrient management planner (specialist) as specified in Attachment C of the General Order?	Yes

B. EXPORT AGREEMENT STATEMENT

Are there any written agreements with third parties to receive manure or process wastewater that are new or were revised within the reporting period?	No

ADDITIONAL NOTES

A. NOTES

No notes entered for this annual report.

CERTIFICATION

A. OWNER AND/OR OPERATOR CERTIFICATION

I certify under penalty of law that I have personally examined and am familiar with the information submitted in this document and all attachments and that, based on my inquiry of those individuals immediately responsible for obtaining the information, I believe that the information is true, accurate, and complete. I am aware that there are significant penalties for submitting false information, including the possibility of fine and imprisonment.

Justin Gioletti (Apr 17, 2024 19:49 PDT)

SIGNATURE OF OWNER OF FACILITY	SIGNATURE OF OPERATOR OF FACILITY
Justin George Gioletti	SAME AS OWNER
PRINT OR TYPE NAME	PRINT OR TYPE NAME
Apr 17, 2024	
DATE	DATE

ATTACHMENTS

A. REQUIRED ATTACHMENTS

The following lists the required documents that should be attached to the Annual Report when submitted .

Annual Dairy Facility Assessment
Provide an Annual Dairy Facility Assessment (an update to the Preliminary Dairy Facility Assessment in Attachment A) for each reporting period. On the PDFA Final page, click on the ADFA Report button to generate an ADFA report after updating information as needed .

Manure/Process Wastewater Tracking Manifests
Provide copies of all manure/process wastewater tracking manifests for the reporting period, signed by both the owner/operator and the hauler.

Corrective Actions Documents
Provide records documenting any corrective actions taken to correct deficiencies noted as a result of the inspections required in the Monitoring Requirements of the General Order. Deficiencies not corrected in 30 days must be accompanied by an explanation of the factors preventing immediate correction.

Groundwater Monitoring
Dischargers that monitor supply wells or subsurface (tile) drainage systems, or that have monitoring well systems must submit monitoring results as directed in the General Order, Groundwater Reporting Section starting on page MRP-13.

Storm Water Monitoring
Dischargers that are required to monitor storm water more frequently than required in the General Order must submit monitoring results as directed in the General Order, Storm Water Reporting Section on page MRP-14.

ATTACHMENT D

Manure/Process Wastewater Tracking Manifest
For
Existing Milk Cow Dairies

Instructions:

1) Complete one manifest for each hauling event, for each destination. A hauling event may last for several days, as long as the manure is being hauled to the same destination.
2) If there are multiple destinations, **complete a separate form for each destination**.
3) The operator must obtain the signature of the hauler upon completion of each manure-hauling event.
4) The operator shall submit copies of manure/process wastewater tracking manifest(s) with the Annual Monitoring Report for Existing Milk Cow Dairies.

Operator Information:

Name of Operator: JUSTIN GIOLETTI

Name of Dairy Facility: ROBERT GIOLETTI & SONS DAIRY INC.

Facility Address: 10213 W. MAIN ST (Number and Street) TURLOCK (City) 95380 (Zip Code)

Contact Person Name and Phone Number: JUSTIN GIOLETTI (Name) 209-602-9110 (Phone Number)

Manure/Process Wastewater Hauler Information:

Name of Hauling Company/Person: ALP CUSTOM SPREADING

Address of Hauling Company /Person: 2324 VILLA MANUCHA RD. (Number and Street) NEWMAN (City) 95360 (Zip Code)

Contact Person: JEFF LIMA (Name) 209-862-3393 (Phone Number)

Destination Information:

Composting Facility / Broker / Farmer / Other (identify) _____ (please circle one)

Contact information of Composting Facility, Broker, Farmer, or Other (as identified above):

ROBERT GIOLETTI (Name) 118 N. BLAKER RD. (Number and Street) TURLOCK (City) 95380 (Zip Code) 209-667-6024 (Phone Number)

Manure/Process Wastewater Destination Address or Assessor's Parcel Number:

_____ (Number and Street) _____ (City) _____ (Zip Code) 022-034-001 (Assessor's Parcel Number)

Dates Hauled: 5/27/23

Amount Hauled:

Enter the amount of manure hauled in tons or cubic yards (indicate the units used), the manure solids content (if amount reported in tons) or manure density (if amount reported in cubic yards), and the method used to calculate the amount:

Manure: 576 Tons or Cubic Yards (indicate which units used)

Manure Solids Content (if amount reported in tons): 51% MOISTURE

Manure Density (if amount reported in cubic yards): _____

Method used to determine amount of manure: _____

48 LOADS @ 12 TONS PER LOAD.

Enter the amount of process wastewater hauled in gallons and the method used to determine the amount.

Process Wastewater: _____ Gallons

Method used to determine volume of process wastewater: _____

_____

Written Agreement:
Does the Operator have a written agreement (in compliance with Land Application Specification C.2 of Waste Discharge Requirements General Order No. R5-2007-0035) with any party that receives process wastewater from the Operator for its own use? (please check one)

____ Yes _____ No

If the answer is no, the Operator agrees to have such a written agreement with any such party for any process wastewater transferred after **31 December 2007** to such party.
_____ (Operator shall provide initials here to acknowledge this requirement).

Certification:
I declare under the penalty of law that I personally examined and am familiar with the information submitted in this document, and that based on my inquiry of those individuals immediately responsible for obtaining the information, I believe that the information is true, accurate, and complete. I am aware that there are significant penalties for submitting false information, including the possibility of a fine and imprisonment for knowing violations.

Operator's Signature: Justin Gioletti (Apr 17, 2024 19:49 PDT) Date: Apr 17, 2024

Hauler's Signature: _____ Date: 5/27/23

ATTACHMENT D

Manure/Process Wastewater Tracking Manifest
For
Existing Milk Cow Dairies

Instructions:

1) Complete one manifest for each hauling event, for each destination. A hauling event may last for several days, as long as the manure is being hauled to the same destination.
2) If there are multiple destinations, **complete a separate form for each destination.**
3) The operator must obtain the signature of the hauler upon completion of each manure-hauling event.
4) The operator shall submit copies of manure/process wastewater tracking manifest(s) with the Annual Monitoring Report for Existing Milk Cow Dairies.

Operator Information:

Name of Operator: JUSTIN GIOLETTI

Name of Dairy Facility: ROBERT GIOLETTI & SONS DAIRY INC.

Facility Address: 10213 W. MAIN ST (Number and Street) TURLOCK (City) 95380 (Zip Code)

Contact Person Name and Phone Number: JUSTIN GIOLETTI (Name) 209-602-9110 (Phone Number)

Manure/Process Wastewater Hauler Information:

Name of Hauling Company/Person: ALP CUSTOM SPREADING

Address of Hauling Company /Person: 2324 VILLA MANUCHA RD. (Number and Street) NEWMAN (City) 95360 (Zip Code)

Contact Person: JEFF LIMA (Name) 209-862-3393 (Phone Number)

Destination Information:

Composting Facility / Broker / Farmer / Other (identify) _____ (please circle one)

Contact information of Composting Facility, Broker, Farmer, or Other (as identified above):

ROBERT GIOLETTI (Name) 118 N. BLAKER RD. (Number and Street) TURLOCK (City) 95380 (Zip Code) 209-667-6024 (Phone Number)

Manure/Process Wastewater Destination Address or Assessor's Parcel Number:

_____ (Number and Street) _____ (City) _____ (Zip Code) 058-025-003 (Assessor's Parcel Number)

Dates Hauled: 5/24/23

Amount Hauled:

Enter the amount of manure hauled in tons or cubic yards (indicate the units used), the manure solids content (if amount reported in tons) or manure density (if amount reported in cubic yards), and the method used to calculate the amount:

Manure: 1200 Tons or Cubic Yards (indicate which units used)

Manure Solids Content (if amount reported in tons): 51% MOISTURE

Manure Density (if amount reported in cubic yards): _____

Method used to determine amount of manure: _____

100 LOADS @ 12 TONS PER LOAD.

Enter the amount of process wastewater hauled in gallons and the method used to determine the amount.

Process Wastewater: _____ Gallons

Method used to determine volume of process wastewater: _____

_____

Written Agreement:
Does the Operator have a written agreement (in compliance with Land Application Specification C.2 of Waste Discharge Requirements General Order No. R5-2007-0035) with any party that receives process wastewater from the Operator for its own use? (please check one)

____ Yes _____ No

If the answer is no, the Operator agrees to have such a written agreement with any such party for any process wastewater transferred after **31 December 2007** to such party.
_____ (Operator shall provide initials here to acknowledge this requirement).

Certification:
I declare under the penalty of law that I personally examined and am familiar with the information submitted in this document, and that based on my inquiry of those individuals immediately responsible for obtaining the information, I believe that the information is true, accurate, and complete. I am aware that there are significant penalties for submitting false information, including the possibility of a fine and imprisonment for knowing violations.

Operator's Signature: Justin Gioletti (Apr 17, 2024 19:49 PDT) Date: Apr 17, 2024

Hauler's Signature: _____ Date: 5/24/23

ATTACHMENT D

Manure/Process Wastewater Tracking Manifest
For
Existing Milk Cow Dairies

Instructions:

1) Complete one manifest for each hauling event, for each destination. A hauling event may last for several days, as long as the manure is being hauled to the same destination.
2) If there are multiple destinations, **complete a separate form for each destination.**
3) The operator must obtain the signature of the hauler upon completion of each manure-hauling event.
4) The operator shall submit copies of manure/process wastewater tracking manifest(s) with the Annual Monitoring Report for Existing Milk Cow Dairies.

Operator Information:

Name of Operator: JUSTIN GIOLETTI

Name of Dairy Facility: ROBERT GIOLETTI & SONS DAIRY INC.

Facility Address: 10213 W. MAIN ST (Number and Street) TURLOCK (City) 95380 (Zip Code)

Contact Person Name and Phone Number: JUSTIN GIOLETTI (Name) 209-602-9110 (Phone Number)

Manure/Process Wastewater Hauler Information:

Name of Hauling Company/Person: ALP CUSTOM SPREADING

Address of Hauling Company /Person: 2324 VILLA MANUCHA RD. (Number and Street) NEWMAN (City) 95360 (Zip Code)

Contact Person: JEFF LIMA (Name) 209-862-3393 (Phone Number)

Destination Information:

Composting Facility / Broker / Farmer / Other (identify) _____ (please circle one)

Contact information of Composting Facility, Broker, Farmer, or Other (as identified above):

ROBERT GIOLETTI (Name) 118 N. BLAKER RD. (Number and Street) TURLOCK (City) 95380 (Zip Code) 209-667-6024 (Phone Number)

Manure/Process Wastewater Destination Address or Assessor's Parcel Number:

_____ (Number and Street) _____ (City) _____ (Zip Code) 022-031-019 (Assessor's Parcel Number)

Dates Hauled: 9/28/23

Amount Hauled:

Enter the amount of manure hauled in tons or cubic yards (indicate the units used), the manure solids content (if amount reported in tons) or manure density (if amount reported in cubic yards), and the method used to calculate the amount:

Manure: 360 Tons or Cubic Yards (indicate which units used)

Manure Solids Content (if amount reported in tons): 38.9 % MOISTURE

Manure Density (if amount reported in cubic yards): _____

Method used to determine amount of manure: _____

30 LOADS @ 12 TONS PER LOAD.

Enter the amount of process wastewater hauled in gallons and the method used to determine the amount.

Process Wastewater: _____ Gallons

Method used to determine volume of process wastewater: _____

_____

Written Agreement:
Does the Operator have a written agreement (in compliance with Land Application Specification C.2 of Waste Discharge Requirements General Order No. R5-2007-0035) with any party that receives process wastewater from the Operator for its own use? (please check one)

____ Yes _____ No

If the answer is no, the Operator agrees to have such a written agreement with any such party for any process wastewater transferred after **31 December 2007** to such party.
_____ (Operator shall provide initials here to acknowledge this requirement).

Certification:
I declare under the penalty of law that I personally examined and am familiar with the information submitted in this document, and that based on my inquiry of those individuals immediately responsible for obtaining the information, I believe that the information is true, accurate, and complete. I am aware that there are significant penalties for submitting false information, including the possibility of a fine and imprisonment for knowing violations.

Operator's Signature: Justin Gioletti (Apr 17, 2024 19:49 PDT) Date: Apr 17, 2024

Hauler's Signature: _____ Date: 9/28/23

ATTACHMENT D

Manure/Process Wastewater Tracking Manifest
For
Existing Milk Cow Dairies

Instructions:

1) Complete one manifest for each hauling event, for each destination. A hauling event may last for several days, as long as the manure is being hauled to the same destination.
2) If there are multiple destinations, **complete a separate form for each destination.**
3) The operator must obtain the signature of the hauler upon completion of each manure-hauling event.
4) The operator shall submit copies of manure/process wastewater tracking manifest(s) with the Annual Monitoring Report for Existing Milk Cow Dairies.

Operator Information:

Name of Operator: JUSTIN GIOLETTI

Name of Dairy Facility: ROBERT GIOLETTI & SONS DAIRY INC.

Facility Address: 10213 W. MAIN ST (Number and Street) TURLOCK (City) 95380 (Zip Code)

Contact Person Name and Phone Number: JUSTIN GIOLETTI (Name) 209-602-9110 (Phone Number)

Manure/Process Wastewater Hauler Information:

Name of Hauling Company/Person: ALP CUSTOM SPREADING

Address of Hauling Company /Person: 2324 VILLA MANUCHA RD. (Number and Street) NEWMAN (City) 95360 (Zip Code)

Contact Person: JEFF LIMA (Name) 209-862-3393 (Phone Number)

Destination Information:

Composting Facility / Broker / Farmer / Other (identify) _____ (please circle one)

Contact information of Composting Facility, Broker, Farmer, or Other (as identified above):

ROBERT GIOLETTI (Name) 118 N. BLAKER RD. (Number and Street) TURLOCK (City) 95380 (Zip Code) 209-667-6024 (Phone Number)

Manure/Process Wastewater Destination Address or Assessor's Parcel Number:

_____ (Number and Street) _____ (City) _____ (Zip Code) 057-001-011 (Assessor's Parcel Number)

Dates Hauled: 9/28/23

Amount Hauled:

Enter the amount of manure hauled in tons or cubic yards (indicate the units used), the manure solids content (if amount reported in tons) or manure density (if amount reported in cubic yards), and the method used to calculate the amount:

Manure: 3600 Tons or Cubic Yards (indicate which units used)

Manure Solids Content (if amount reported in tons): 38.9% MOISTURE

Manure Density (if amount reported in cubic yards): _____

Method used to determine amount of manure: _____

300 LOADS @ 12 TONS PER LOAD.

Enter the amount of process wastewater hauled in gallons and the method used to determine the amount.

Process Wastewater: _____ Gallons

Method used to determine volume of process wastewater: _____

_____

Written Agreement:
Does the Operator have a written agreement (in compliance with Land Application Specification C.2 of Waste Discharge Requirements General Order No. R5-2007-0035) with any party that receives process wastewater from the Operator for its own use? (please check one)

____ Yes _____ No

If the answer is no, the Operator agrees to have such a written agreement with any such party for any process wastewater transferred after **31 December 2007** to such party.
_____ (Operator shall provide initials here to acknowledge this requirement).

Certification:
I declare under the penalty of law that I personally examined and am familiar with the information submitted in this document, and that based on my inquiry of those individuals immediately responsible for obtaining the information, I believe that the information is true, accurate, and complete. I am aware that there are significant penalties for submitting false information, including the possibility of a fine and imprisonment for knowing violations.

Operator's Signature: Justin Gioletti (Apr 17, 2024 19:49 PDT) Date: Apr 17, 2024

Hauler's Signature: _____ Date: 9/28/23

ATTACHMENT D

Manure/Process Wastewater Tracking Manifest
For
Existing Milk Cow Dairies

Instructions:

1) Complete one manifest for each hauling event, for each destination. A hauling event may last for several days, as long as the manure is being hauled to the same destination.
2) If there are multiple destinations, **complete a separate form for each destination**.
3) The operator must obtain the signature of the hauler upon completion of each manure-hauling event.
4) The operator shall submit copies of manure/process wastewater tracking manifest(s) with the Annual Monitoring Report for Existing Milk Cow Dairies.

Operator Information:

Name of Operator: JUSTIN GIOLETTI

Name of Dairy Facility: ROBERT GIOLETTI + SONS DAIRY INC.

Facility Address: 10213 W. MAIN ST (Number and Street) TURLOCK (City) 95380 (Zip Code)

Contact Person Name and Phone Number: JUSTIN GIOLETTI (Name) 209-602-9110 (Phone Number)

Manure/Process Wastewater Hauler Information:

Name of Hauling Company/Person: F+A LAGOON MANAGEMENT

Address of Hauling Company /Person: 2930 GEER RD. PMB 214 (Number and Street) TURLOCK (City) 95382 (Zip Code)

Contact Person: SERAPHIN FONTES (Name) 209-678-1257 (Phone Number)

Destination Information:

Composting Facility / Broker / Farmer / Other (identify) _____ (please circle one)

Contact information of Composting Facility, Broker, Farmer, or Other (as identified above):

ROBERT GIOLETTI (Name) 118 N. BLAKER RD. (Number and Street) TURLOCK (City) 95380 (Zip Code) 209-667-6024 (Phone Number)

Manure/Process Wastewater Destination Address or Assessor's Parcel Number:

Number and Street _____ City _____ Zip Code _____ Assessor's Parcel Number 058-018-001

Dates Hauled: 10/19/23

Amount Hauled:

Enter the amount of manure hauled in tons or cubic yards (indicate the units used), the manure solids content (if amount reported in tons) or manure density (if amount reported in cubic yards), and the method used to calculate the amount:

Manure: _____ Tons or Cubic Yards (indicate which units used)

Manure Solids Content (if amount reported in tons): _____

Manure Density (if amount reported in cubic yards): _____

Method used to determine amount of manure: _____

_____

Enter the amount of process wastewater hauled in gallons and the method used to determine the amount.

Process Wastewater: 845,500 Gallons

Method used to determine volume of process wastewater: _____

89 LOADS @ 9500 GALLONS PER LOAD

Written Agreement:
Does the Operator have a written agreement (in compliance with Land Application Specification C.2 of Waste Discharge Requirements General Order No. R5-2007-0035) with any party that receives process wastewater from the Operator for its own use? (please check one)

X Yes _____ No

If the answer is no, the Operator agrees to have such a written agreement with any such party for any process wastewater transferred after **31 December 2007** to such party.
_____ (Operator shall provide initials here to acknowledge this requirement).

Certification:
I declare under the penalty of law that I personally examined and am familiar with the information submitted in this document, and that based on my inquiry of those individuals immediately responsible for obtaining the information, I believe that the information is true, accurate, and complete. I am aware that there are significant penalties for submitting false information, including the possibility of a fine and imprisonment for knowing violations.

Operator's Signature: Justin Gioletti (Apr 17, 2024 19:49 PDT) Date: Apr 17, 2024

Hauler's Signature: _____ Date: 10/19/23

ATTACHMENT D

Manure/Process Wastewater Tracking Manifest
For
Existing Milk Cow Dairies

Instructions:

1) Complete one manifest for each hauling event, for each destination. A hauling event may last for several days, as long as the manure is being hauled to the same destination.
2) If there are multiple destinations, **complete a separate form for each destination**.
3) The operator must obtain the signature of the hauler upon completion of each manure-hauling event.
4) The operator shall submit copies of manure/process wastewater tracking manifest(s) with the Annual Monitoring Report for Existing Milk Cow Dairies.

Operator Information:

Name of Operator: JUSTIN GIOLETTI

Name of Dairy Facility: ROBERT GIOLETTI + SONS DAIRY

Facility Address: 10213 W. MAIN ST. (Number and Street) TURLOCK (City) 95380 (Zip Code)

Contact Person Name and Phone Number: JUSTIN GIOLETTI (Name) 209-602-9110 (Phone Number)

Manure/Process Wastewater Hauler Information:

Name of Hauling Company/Person: ALP CUSTOM SPREADING

Address of Hauling Company /Person: 2324 VILLA MANUCHA (Number and Street) NEWMAN (City) 95360 (Zip Code)

Contact Person: JEFF LIMA (Name) 209-862-3393 (Phone Number)

Destination Information:

Composting Facility / Broker / Farmer / Other (identify) _____ (please circle one)

Contact information of Composting Facility, Broker, Farmer, or Other (as identified above):

ROBERT GIOLETTI (Name) 118 N. BLAKER RD. (Number and Street) TURLOCK (City) 95380 (Zip Code) 209-667-6004 (Phone Number)

Manure/Process Wastewater Destination Address or Assessor's Parcel Number:

_____ (Number and Street) _____ (City) _____ (Zip Code) 057-003-007 (Assessor's Parcel Number)

Dates Hauled: 11/1/23

Amount Hauled:

Enter the amount of manure hauled in tons or cubic yards (indicate the units used), the manure solids content (if amount reported in tons) or manure density (if amount reported in cubic yards), and the method used to calculate the amount:

Manure: 1920 Tons or Cubic Yards (indicate which units used)

Manure Solids Content (if amount reported in tons): 38.9% MOISTURE

Manure Density (if amount reported in cubic yards): _____

Method used to determine amount of manure: _____

160 LOADS @ 12 TONS PER LOAD.

Enter the amount of process wastewater hauled in gallons and the method used to determine the amount.

Process Wastewater: _____ Gallons

Method used to determine volume of process wastewater: _____

_____

Written Agreement:
Does the Operator have a written agreement (in compliance with Land Application Specification C.2 of Waste Discharge Requirements General Order No. R5-2007-0035) with any party that receives process wastewater from the Operator for its own use? (please check one)

____ Yes _____ No

If the answer is no, the Operator agrees to have such a written agreement with any such party for any process wastewater transferred after **31 December 2007** to such party.
_____ (Operator shall provide initials here to acknowledge this requirement).

Certification:
I declare under the penalty of law that I personally examined and am familiar with the information submitted in this document, and that based on my inquiry of those individuals immediately responsible for obtaining the information, I believe that the information is true, accurate, and complete. I am aware that there are significant penalties for submitting false information, including the possibility of a fine and imprisonment for knowing violations.

Operator's Signature: Justin Gioletti (Apr 17, 2024 19:49 PDT) Date: Apr 17, 2024

Hauler's Signature: _____ Date: 11/1/23

Denele Analytical, Inc.

865 South Kilroy Avenue Turlock, CA 95380
Phone (209) 634-9055 - Fax (209) 634-9057

40 N. East Street, Woodland, CA 95776
Phone (530) 666-9056 - Fax (530) 666-9058

www.denelelabs.com

Compliance Analysis Report

Customer
Robert Gioletti & Sons Dairy Inc.
118 N. Blaker Rd.
Turlock, CA 95380

Grower

Consultant:
F & R Ag Services
2857 Geer Rd. Ste A
Turlock, CA 95382

PURCHASE ORDER: Domestic Wells
RECEIVED DATE: 8/8/23 4:23 PM
SUBMITTED BY: Justin
ANALYZED DATE: 8/10/23

Irrigation/ Ground Water (H1)
SOURCE: Well Water

NOTES: Temperature was above qualifying at 25.2c

Sample ID	Lab ID	Analyte	Method Ref	Result	Units
Blaker Ranch	T3220030A	Electrical Conductivity (EC)	EPA 120.1 and	2.18	mmhos/cm
		Nitrate Nitrogen (NO3-N)	EPA 353.2	1.50	mg/L
		Ammonia Nitrogen (NH3-N)	SM 4500-NH3 D,C	< 0.500	mg/L
		Soluble Salts (SALT-SOL)	Calculation	1400	mg/L

Laboratory Quality Control	LCS %	MS %	MSD %	RPD %
Ammonia Nitrogen (NH3-N)	103	90.4 (T3220030A)	91.6 (T3220030A)	1.32
Electrical Conductivity (EC)	94.3			0.632
Nitrate Nitrogen (NO3-N)	104	98.8 (T3220024A)	97.3 (T3220024A)	1.53

The warranty of Denele Analytical is limited to the accuracy of the analyses of the samples as received. Denele Analytical assumes no responsibility for which the customer uses our test results, nor liability for any other warranties, express or implied. These terms and conditions shall supercede any conflicting terms and conditions submitted on customer purchase orders or other forms submitted for work.

ELAP Certificate No.: 2714

Denele Analytical, Inc.

865 South Kilroy Avenue Turlock, CA 95380
Phone (209) 634-9055 - Fax (209) 634-9057

40 N. East Street, Woodland, CA 95776
Phone (530) 666-9056 - Fax (530) 666-9058

www.denelelabs.com

Compliance Analysis Report

Customer
Robert Gioletti & Sons Dairy Inc.
118 N. Blaker Rd.
Turlock, CA 95380

Grower

Consultant:
F & R Ag Services
2857 Geer Rd. Ste A
Turlock, CA 95382

PURCHASE ORDER: Domestic Wells
RECEIVED DATE: 8/8/23 4:23 PM
SUBMITTED BY: Justin
ANALYZED DATE: 8/10/23

Irrigation/ Ground Water (H1)
SOURCE: Well Water

NOTES: Temperature was above qualifying at 24.8c

Sample ID	Lab ID	Analyte	Method Ref	Result	Units
Devins New House	T3220030B	Electrical Conductivity (EC)	EPA 120.1 and	1.05	mmhos/cm
		Nitrate Nitrogen (NO3-N)	EPA 353.2	18.4	mg/L
		Ammonia Nitrogen (NH3-N)	SM 4500-NH3 D,C	< 0.500	mg/L
		Soluble Salts (SALT-SOL)	Calculation	673	mg/L

Laboratory Quality Control	LCS %	MS %	MSD %	RPD %
Ammonia Nitrogen (NH3-N)	103	90.4 (T3220030A)	91.6 (T3220030A)	1.32
Electrical Conductivity (EC)	94.3			0.632
Nitrate Nitrogen (NO3-N)	104	98.8 (T3220024A)	97.3 (T3220024A)	1.53

The warranty of Denele Analytical is limited to the accuracy of the analyses of the samples as received. Denele Analytical assumes no responsibility for which the customer uses our test results, nor liability for any other warranties, express or implied. These terms and conditions shall supercede any conflicting terms and conditions submitted on customer purchase orders or other forms submitted for work.

Denele Analytical, Inc.

865 South Kilroy Avenue Turlock, CA 95380
Phone (209) 634-9055 - Fax (209) 634-9057

40 N. East Street, Woodland, CA 95776
Phone (530) 666-9056 - Fax (530) 666-9058

www.denelelabs.com

Compliance Analysis Report

Customer
Robert Gioletti & Sons Dairy Inc.
118 N. Blaker Rd.
Turlock, CA 95380

Grower

Consultant:
F & R Ag Services
2857 Geer Rd. Ste A
Turlock, CA 95382

PURCHASE ORDER: Domestic Wells
RECEIVED DATE: 8/8/23 4:23 PM
SUBMITTED BY: Justin
ANALYZED DATE: 8/10/23

Irrigation/ Ground Water (H1)
SOURCE: Well Water

NOTES: Temperature was above qualifying at 22.8c

Sample ID	Lab ID	Analyte	Method Ref	Result	Units
Morgan Place	T3220030C	Electrical Conductivity (EC)	EPA 120.1 and	1.40	mmhos/cm
		Nitrate Nitrogen (NO3-N)	EPA 353.2	4.58	mg/L
		Ammonia Nitrogen (NH3-N)	SM 4500-NH3 D,C	< 0.500	mg/L
		Soluble Salts (SALT-SOL)	Calculation	896	mg/L

Laboratory Quality Control	LCS %	MS %	MSD %	RPD %
Ammonia Nitrogen (NH3-N)	103	90.4 (T3220030A)	91.6 (T3220030A)	1.32
Electrical Conductivity (EC)	94.3			0.632
Nitrate Nitrogen (NO3-N)	104	98.8 (T3220024A)	97.3 (T3220024A)	1.53

The warranty of Denele Analytical is limited to the accuracy of the analyses of the samples as received. Denele Analytical assumes no responsibility for which the customer uses our test results, nor liability for any other warranties, express or implied. These terms and conditions shall supercede any conflicting terms and conditions submitted on customer purchase orders or other forms submitted for work.

Denele Analytical, Inc.

865 South Kilroy Avenue Turlock, CA 95380
Phone (209) 634-9055 - Fax (209) 634-9057

40 N. East Street, Woodland, CA 95776
Phone (530) 666-9056 - Fax (530) 666-9058

www.denelelabs.com

Compliance Analysis Report

Customer
Robert Gioletti & Sons Dairy Inc.
118 N. Blaker Rd.
Turlock, CA 95380

Grower

Consultant:
F & R Ag Services
2857 Geer Rd. Ste A
Turlock, CA 95382

PURCHASE ORDER: Domestic Wells
RECEIVED DATE: 8/8/23 4:23 PM
SUBMITTED BY: Justin
ANALYZED DATE: 8/10/23

Irrigation/ Ground Water (H1)
SOURCE: Well Water

NOTES: Temperature was above qualifying at 19.6c

Sample ID	Lab ID	Analyte	Method Ref	Result	Units
DW#5 RV Barn	T3220030D	Electrical Conductivity (EC)	EPA 120.1 and	1.30	mmhos/cm
		Nitrate Nitrogen (NO3-N)	EPA 353.2	56.7	mg/L
		Ammonia Nitrogen (NH3-N)	SM 4500-NH3 D,C	< 0.500	mg/L
		Soluble Salts (SALT-SOL)	Calculation	829	mg/L

Laboratory Quality Control	LCS %	MS %	MSD %	RPD %
Ammonia Nitrogen (NH3-N)	103	90.4 (T3220030A)	91.6 (T3220030A)	1.32
Electrical Conductivity (EC)	94.3			0.632
Nitrate Nitrogen (NO3-N)	104	98.8 (T3220024A)	97.3 (T3220024A)	1.53

The warranty of Denele Analytical is limited to the accuracy of the analyses of the samples as received. Denele Analytical assumes no responsibility for which the customer uses our test results, nor liability for any other warranties, express or implied. These terms and conditions shall supercede any conflicting terms and conditions submitted on customer purchase orders or other forms submitted for work.

Denele Analytical, Inc.

865 South Kilroy Avenue Turlock, CA 95380
Phone (209) 634-9055 - Fax (209) 634-9057

40 N. East Street, Woodland, CA 95776
Phone (530) 666-9056 - Fax (530) 666-9058

www.denelelabs.com

Compliance Analysis Report

Customer
Robert Gioletti & Sons Dairy Inc.
118 N. Blaker Rd.
Turlock, CA 95380

Grower

Consultant:
F & R Ag Services
2857 Geer Rd. Ste A
Turlock, CA 95382

PURCHASE ORDER: Domestic Wells
RECEIVED DATE: 8/8/23 4:23 PM
SUBMITTED BY: Justin
ANALYZED DATE: 8/10/23

Irrigation/ Ground Water (H1)
SOURCE: Well Water

NOTES: Temperature was above qualifying at 19.0c

Sample ID	Lab ID	Analyte	Method Ref	Result	Units
DW#6 Justin's	T3220030E	Electrical Conductivity (EC)	EPA 120.1 and	0.584	mmhos/cm
		Nitrate Nitrogen (NO3-N)	EPA 353.2	13.8	mg/L
		Ammonia Nitrogen (NH3-N)	SM 4500-NH3 D,C	< 0.500	mg/L
		Soluble Salts (SALT-SOL)	Calculation	374	mg/L

Laboratory Quality Control	LCS %	MS %	MSD %	RPD %
Ammonia Nitrogen (NH3-N)	103	90.4 (T3220030A)	91.6 (T3220030A)	1.32
Electrical Conductivity (EC)	94.3			0.632
Nitrate Nitrogen (NO3-N)	104	98.8 (T3220024A)	97.3 (T3220024A)	1.53

The warranty of Denele Analytical is limited to the accuracy of the analyses of the samples as received. Denele Analytical assumes no responsibility for which the customer uses our test results, nor liability for any other warranties, express or implied. These terms and conditions shall supercede any conflicting terms and conditions submitted on customer purchase orders or other forms submitted for work.

Denele Analytical, Inc.

865 South Kilroy Avenue Turlock, CA 95380
Phone (209) 634-9055 - Fax (209) 634-9057

40 N. East Street, Woodland, CA 95776
Phone (530) 666-9056 - Fax (530) 666-9058

www.denelelabs.com

Compliance Analysis Report

Customer
Robert Gioletti & Sons Dairy Inc.
118 N. Blaker Rd.
Turlock, CA 95380

Grower

Consultant:
F & R Ag Services
2857 Geer Rd. Ste A
Turlock, CA 95382

PURCHASE ORDER: Domestic Wells
RECEIVED DATE: 8/8/23 4:23 PM
SUBMITTED BY: Justin
ANALYZED DATE: 8/10/23

Irrigation/ Ground Water (H1)
SOURCE: Well Water

NOTES: Temperature was above qualifying at 19.6c

Sample ID	Lab ID	Analyte	Method Ref	Result	Units
DW#7 Heifers	T3220030F	Electrical Conductivity (EC)	EPA 120.1 and	1.21	mmhos/cm
		Nitrate Nitrogen (NO3-N)	EPA 353.2	43.7	mg/L
		Ammonia Nitrogen (NH3-N)	SM 4500-NH3 D,C	< 0.500	mg/L
		Soluble Salts (SALT-SOL)	Calculation	773	mg/L

Laboratory Quality Control	LCS %	MS %	MSD %	RPD %
Ammonia Nitrogen (NH3-N)	103	90.4 (T3220030A)	91.6 (T3220030A)	1.32
Electrical Conductivity (EC)	94.3			0.632
Nitrate Nitrogen (NO3-N)	104	98.8 (T3220024A)	97.3 (T3220024A)	1.53

The warranty of Denele Analytical is limited to the accuracy of the analyses of the samples as received. Denele Analytical assumes no responsibility for which the customer uses our test results, nor liability for any other warranties, express or implied. These terms and conditions shall supercede any conflicting terms and conditions submitted on customer purchase orders or other forms submitted for work.

Denele Analytical, Inc.

865 South Kilroy Avenue Turlock, CA 95380
Phone (209) 634-9055 - Fax (209) 634-9057

40 N. East Street, Woodland, CA 95776
Phone (530) 666-9056 - Fax (530) 666-9058

www.denelelabs.com

Compliance Analysis Report

Customer
Robert Gioletti & Sons Dairy Inc.
118 N. Blaker Rd.
Turlock, CA 95380

Grower

Consultant:
F & R Ag Services
2857 Geer Rd. Ste A
Turlock, CA 95382

PURCHASE ORDER: Domestic Wells
RECEIVED DATE: 8/8/23 4:23 PM
SUBMITTED BY: Justin
ANALYZED DATE: 8/10/23

Irrigation/ Ground Water (H1)
SOURCE: Well Water

NOTES: Temperature was above qualifying at 24.0c

Sample ID	Lab ID	Analyte	Method Ref	Result	Units
DW#8 Dairy 15 HP	T3220030G	Electrical Conductivity (EC)	EPA 120.1 and	1.62	mmhos/cm
		Nitrate Nitrogen (NO3-N)	EPA 353.2	< 0.140	mg/L
		Ammonia Nitrogen (NH3-N)	SM 4500-NH3 D,C	< 0.500	mg/L
		Soluble Salts (SALT-SOL)	Calculation	1030	mg/L

Laboratory Quality Control	LCS %	MS %	MSD %	RPD %
Ammonia Nitrogen (NH3-N)	103	90.4 (T3220030A)	91.6 (T3220030A)	1.32
Electrical Conductivity (EC)	94.3			0.632
Nitrate Nitrogen (NO3-N)	104	98.8 (T3220024A)	97.3 (T3220024A)	1.53

The warranty of Denele Analytical is limited to the accuracy of the analyses of the samples as received. Denele Analytical assumes no responsibility for which the customer uses our test results, nor liability for any other warranties, express or implied. These terms and conditions shall supercede any conflicting terms and conditions submitted on customer purchase orders or other forms submitted for work.

Denele Analytical, Inc.

865 South Kilroy Avenue Turlock, CA 95380
Phone (209) 634-9055 - Fax (209) 634-9057

40 N. East Street, Woodland, CA 95776
Phone (530) 666-9056 - Fax (530) 666-9058

www.denelelabs.com

Compliance Analysis Report

Customer
Robert Gioletti & Sons Dairy Inc.
118 N. Blaker Rd.
Turlock, CA 95380

Grower

Consultant:
F & R Ag Services
2857 Geer Rd. Ste A
Turlock, CA 95382

PURCHASE ORDER: Domestic Wells
RECEIVED DATE: 8/8/23 4:23 PM
SUBMITTED BY: Justin
ANALYZED DATE: 8/10/23

Irrigation/ Ground Water (H1)
SOURCE: Well Water

NOTES: Temperature was above qualifying at 24.0c

Sample ID	Lab ID	Analyte	Method Ref	Result	Units
DW#11 Devins Old House	T3220030H	Electrical Conductivity (EC)	EPA 120.1 and	1.83	mmhos/cm
		Nitrate Nitrogen (NO3-N)	EPA 353.2	0.226	mg/L
		Ammonia Nitrogen (NH3-N)	SM 4500-NH3 D,C	< 0.500	mg/L
		Soluble Salts (SALT-SOL)	Calculation	1170	mg/L

Laboratory Quality Control	LCS %	MS %	MSD %	RPD %
Ammonia Nitrogen (NH3-N)	103	90.4 (T3220030A)	91.6 (T3220030A)	1.32
Electrical Conductivity (EC)	94.3			0.632
Nitrate Nitrogen (NO3-N)	104	98.8 (T3220024A)	97.3 (T3220024A)	1.53

The warranty of Denele Analytical is limited to the accuracy of the analyses of the samples as received. Denele Analytical assumes no responsibility for which the customer uses our test results, nor liability for any other warranties, express or implied. These terms and conditions shall supercede any conflicting terms and conditions submitted on customer purchase orders or other forms submitted for work.

Denele Analytical, Inc.

865 South Kilroy Avenue Turlock, CA 95380
Phone (209) 634-9055 - Fax (209) 634-9057

www.denelelabs.com

40 N. East Street, Woodland, CA 95776
Phone (530) 666-9056 - Fax (530) 666-9058

Compliance Analysis Report

Customer
Robert Gioletti & Sons Dairy Inc.
118 N. Blaker Rd.
Turlock, CA 95380

Grower

Consultant:
F & R Ag Services
2857 Geer Rd. Ste A
Turlock, CA 95382

PURCHASE ORDER: Domestic Wells
RECEIVED DATE: 8/8/23 4:23 PM
SUBMITTED BY: Justin
ANALYZED DATE: 8/10/23

Irrigation/ Ground Water (H1)
SOURCE: Well Water

NOTES: Temperature was above qualifying at 24.2c

Sample ID	Lab ID	Analyte	Method Ref	Result	Units
DW#19 Arts	T3220030I	Electrical Conductivity (EC)	EPA 120.1 and	0.856	mmhos/cm
		Nitrate Nitrogen (NO3-N)	EPA 353.2	34.1	mg/L
		Ammonia Nitrogen (NH3-N)	SM 4500-NH3 D,C	< 0.500	mg/L
		Soluble Salts (SALT-SOL)	Calculation	548	mg/L

Laboratory Quality Control	LCS %	MS %	MSD %	RPD %
Ammonia Nitrogen (NH3-N)	103	90.4 (T3220030A)	91.6 (T3220030A)	1.32
Electrical Conductivity (EC)	94.3			0.632
Nitrate Nitrogen (NO3-N)	104	98.8 (T3220024A)	97.3 (T3220024A)	1.53

The warranty of Denele Analytical is limited to the accuracy of the analyses of the samples as received. Denele Analytical assumes no responsibility for which the customer uses our test results, nor liability for any other warranties, express or implied. These terms and conditions shall supercede any conflicting terms and conditions submitted on customer purchase orders or other forms submitted for work.

DENELE ANALYTICAL, INC.

865 S. KILROY
TURLOCK, CA 95380

PH# 209-634-9055 FAX# 209-634-9057

DAIRY COMPLIANCE

Client: Robert Giolotti & Sons

Mailing address:
(not facility address)

Phone#: (209) 602-9110

Authorized Copy Released To: F&R c/o Sean

Sampled By: Justin Giolotti

Project ID: Domestic Well Samples

ANALYSIS TO BE COMPLETED:

IRRIGATION/GROUND WATER
- **H1** EC*, NO3-N, NH4-N*
- **H6** EC, TN, TDS
- **H7** Combination of H1 & H6
- **H14** EC, NO3-N, NH4-N, Ca, Mg, Na, Bicarb Carb, SO4, Cl, TDS

PROCESS WASTE WATER
- **H3** EC*, NH4-N, TKN, TP, K, TDS
- **H4** EC*, NO3-N, NH4-N, TKN, TP, K, TDS
- **H5** Ca, Mg, Na, Bicarb, Carb, SO4, Cl
- **H8** Combination of H3 &H5
- **H9** Combination of H4 &H5

TILE DRAIN
- **H2** EC*, NO3-N, TP, NH4-N*, TDS

** Required Field Measurement*

___ (Check here if performed)

DISCHARGE WATER
- **E1** EC*, Temp*, pH*, NO3-N, NH4-N, TKN, TP, K, TDS, Dissolved Oxygen*, BOD 5, TSS, Total & Fecal Coliforms
- **E2** EC,* Temp*, pH*, NO3-N, NH4-N*, Turbidity, TP, Dissolved Oxygen*, Total & Fecal Coliforms
- **E3** EC*, Temp*, pH*, NO3-N, NH4-N*, TP, Total & Fecal Coliforms
- **E4** EC*, Temp*, pH*, NO3-N, NH4-N*, Turbidity, TP, Total & Fecal Coliform

MANURE
- **M1** % Moisture
- **M3** TN TP, K, % Moisture
- **M4** Ca, Mg, Na, Bicarb, Carb, SO4, Cl, Ash
- **M7** Combination of M3 & M4

PLANT TISSUE
- **F18** % Moisture, Ash, TN, P, K, DM and as received
- **F18+** % Moisture, Ash, TN, P, K, DM and as received (Package also includes NIR DCAD)
- **F19+** % Moisture, TN (Package includes complete plant tissue analysis)

SOIL
- **K3** Soluble Phosphorus
- **K4** 1ft NO3, Organic Matter
- **K5** Pre-Plant (2ft NO3), Fall (1-2ft NO3), Fall (2-3ft NO3)
- **K6** 0-1ft EC, NO3, Soluble P, K, Organic Matter
- **K7** Combination of K3 & K4
- **K8** Combination of K3 & K5

	Date Collected	Time Collected	Sample ID	Description	Temp	Well Purge	Analysis: H1	H3	M3	F18	OTHER
1	8-8-23	8am	Blaker Ranch		25.2°		Y				
2		9am	Devins New House		24.8°						
3		9:30am	Morgan Place		22.8°						
4		10am	DW #5 RV Barn		19.6°						
5		10:30am	DW #6 Justin's		19.0°						
6		11am	DW #7 - Heifers		19.6°						
7		11:30am	DW #8 Dairy 15 HP		24.0°						
8		12pm	DW #11 Devins old House		24.0°						
9		1pm	DW #19 Arts		24.2°						
10											

CHAIN OF CUSTODY RECORDING

	Signature	Company	Received Date & Time	Relinquished Date & Time	(LABORATORY USE ONLY) Logged in By:	LABORATORY NUMBER
1st				8-8-23		
2nd		DENELE ANALYTICAL, INC.	8-8-23 4:23pm			T3220030

Required to be submitted to any agency? (YES / NO)

Denele Analytical, Inc.

865 South Kilroy Avenue Turlock, CA 95380
Phone (209) 634-9055 - Fax (209) 634-9057

40 N. East Street, Woodland, CA 95776
Phone (530) 666-9056 - Fax (530) 666-9058

www.denelelabs.com

Compliance Analysis Report

Customer
Robert Gioletti & Sons Dairy Inc.
118 N. Blaker Rd.
Turlock, CA 95380

Grower

Consultant:
F & R Ag Services
2857 Geer Rd. Ste A
Turlock, CA 95382

PURCHASE ORDER:
RECEIVED DATE: 8/11/23 1:30 PM
SUBMITTED BY: Justin
ANALYZED DATE: 8/14/23

Irrigation / Ground Water (H7)
SOURCE: Irrigation Water

NOTES: Temperature above qualifying at 14.8 C

Sample ID	Lab ID	Analyte	Method Ref	Result	Units
IW 1 Mitchell	T3223024A	Electrical Conductivity (EC)	EPA 120.1 and	1.50	mmhos/cm
		Ammonia Nitrogen (NH3-N)	SM 4500-NH3 D,C	< 0.500	mg/L
		Nitrate Nitrogen (NO3-N)	EPA 353.2	64.5	mg/L
		Total Dissolved Solids (TDS)	SM 2540 C-1997 and	825	mg/L
		Total Nitrogen (TN)	SM 4500-NH3 D,C	64.5	mg/L
		Soluble Salts (SALT-SOL)	Calculation	959	mg/L

Laboratory Quality Control	LCS %	MS %	MSD %	Sample mg/L	Dup mg/L	RPD %
Ammonia Nitrogen (NH3-N)	95.0	93.4 (T3223024A)	95.2 (T3223024A)			1.90
Electrical Conductivity (EC)	99.9			1.30 (T3223019A)	1.30 (Dup)	0.230
Nitrate Nitrogen (NO3-N)	104	100.0 (T3222015A)	96.4 (T3222015A)			3.65
Total Dissolved Solids (TDS)	94.5			65.0 (T3223034A)	65.0 (Dup)	0.000
Total Nitrogen (TN)	94.6			0.000 (T3223024A)	0.000 (null)	

The warranty of Denele Analytical is limited to the accuracy of the analyses of the samples as received. Denele Analytical assumes no responsibility for which the customer uses our test results, nor liability for any other warranties, express or implied. These terms and conditions shall supercede any conflicting terms and conditions submitted on customer purchase orders or other forms submitted for work.

ELAP Certificate No.: 2714

Denele Analytical, Inc.

865 South Kilroy Avenue Turlock, CA 95380
Phone (209) 634-9055 - Fax (209) 634-9057

40 N. East Street, Woodland, CA 95776
Phone (530) 666-9056 - Fax (530) 666-9058

www.denelelabs.com

Compliance Analysis Report

Customer
Robert Gioletti & Sons Dairy Inc.
118 N. Blaker Rd.
Turlock, CA 95380

Grower

Consultant:
F & R Ag Services
2857 Geer Rd. Ste A
Turlock, CA 95382

PURCHASE ORDER:
RECEIVED DATE: 8/11/23 1:30 PM
SUBMITTED BY: Justin
ANALYZED DATE: 8/14/23

Irrigation / Ground Water (H7)
SOURCE: Irrigation Water

NOTES: Temperature above qualifying at 19.8 C

Sample ID	Lab ID	Analyte	Method Ref	Result	Units
IW 2 Mitchell Trees	T3223024B	Electrical Conductivity (EC)	EPA 120.1 and	1.23	mmhos/cm
		Ammonia Nitrogen (NH3-N)	SM 4500-NH3 D,C	< 0.500	mg/L
		Nitrate Nitrogen (NO3-N)	EPA 353.2	41.4	mg/L
		Total Dissolved Solids (TDS)	SM 2540 C-1997 and	685	mg/L
		Total Nitrogen (TN)	SM 4500-NH3 D,C	41.4	mg/L
		Soluble Salts (SALT-SOL)	Calculation	789	mg/L

Laboratory Quality Control	LCS %	MS %	MSD %	Sample mg/L	Dup mg/L	RPD %
Ammonia Nitrogen (NH3-N)	95.0	93.4 (T3223024A)	95.2 (T3223024A)			1.90
Electrical Conductivity (EC)	99.9			1.30 (T3223019A)	1.30 (Dup)	0.230
Nitrate Nitrogen (NO3-N)	104	100.0 (T3222015A)	96.4 (T3222015A)			3.65
Total Dissolved Solids (TDS)	94.5			65.0 (T3223034A)	65.0 (Dup)	0.000
Total Nitrogen (TN)	94.6			0.000 (T3223024A)	0.000 (null)	

The warranty of Denele Analytical is limited to the accuracy of the analyses of the samples as received. Denele Analytical assumes no responsibility for which the customer uses our test results, nor liability for any other warranties, express or implied. These terms and conditions shall supercede any conflicting terms and conditions submitted on customer purchase orders or other forms submitted for work.

ELAP Certificate No.: 2714

Denele Analytical, Inc.

865 South Kilroy Avenue Turlock, CA 95380
Phone (209) 634-9055 - Fax (209) 634-9057

40 N. East Street, Woodland, CA 95776
Phone (530) 666-9056 - Fax (530) 666-9058

www.denelelabs.com

Compliance Analysis Report

Customer
Robert Gioletti & Sons Dairy Inc.
118 N. Blaker Rd.
Turlock, CA 95380

Grower

Consultant:
F & R Ag Services
2857 Geer Rd. Ste A
Turlock, CA 95382

PURCHASE ORDER:
RECEIVED DATE: 8/11/23 1:30 PM
SUBMITTED BY: Justin
ANALYZED DATE: 8/14/23

Irrigation / Ground Water (H7)
SOURCE: Irrigation Water

NOTES: Temperature above qualifying at 16.4 C

Sample ID	Lab ID	Analyte	Method Ref	Result	Units
IW 3 Brauns	T3223024C	Electrical Conductivity (EC)	EPA 120.1 and	1.75	mmhos/cm
		Ammonia Nitrogen (NH3-N)	SM 4500-NH3 D,C	< 0.500	mg/L
		Nitrate Nitrogen (NO3-N)	EPA 353.2	69.7	mg/L
		Total Dissolved Solids (TDS)	SM 2540 C-1997 and	1010	mg/L
		Total Nitrogen (TN)	SM 4500-NH3 D,C	69.7	mg/L
		Soluble Salts (SALT-SOL)	Calculation	1120	mg/L

Laboratory Quality Control	LCS %	MS %	MSD %	Sample mg/L	Dup mg/L	RPD %
Ammonia Nitrogen (NH3-N)	95.0	93.4 (T3223024A)	95.2 (T3223024A)			1.90
Electrical Conductivity (EC)	99.9			1.30 (T3223019A)	1.30 (Dup)	0.230
Nitrate Nitrogen (NO3-N)	104	100.0 (T3222015A)	96.4 (T3222015A)			3.65
Total Dissolved Solids (TDS)	94.5			65.0 (T3223034A)	65.0 (Dup)	0.000
Total Nitrogen (TN)	94.6			0.000 (T3223024A)	0.000 (null)	

The warranty of Denele Analytical is limited to the accuracy of the analyses of the samples as received. Denele Analytical assumes no responsibility for which the customer uses our test results, nor liability for any other warranties, express or implied. These terms and conditions shall supercede any conflicting terms and conditions submitted on customer purchase orders or other forms submitted for work.

Denele Analytical, Inc.

865 South Kilroy Avenue Turlock, CA 95380
Phone (209) 634-9055 - Fax (209) 634-9057

40 N. East Street, Woodland, CA 95776
Phone (530) 666-9056 - Fax (530) 666-9058

www.denelelabs.com

Compliance Analysis Report

Customer
Robert Gioletti & Sons Dairy Inc.
118 N. Blaker Rd.
Turlock, CA 95380

Grower

Consultant:
F & R Ag Services
2857 Geer Rd. Ste A
Turlock, CA 95382

PURCHASE ORDER:
RECEIVED DATE: 8/11/23 1:30 PM
SUBMITTED BY: Justin
ANALYZED DATE: 8/14/23

Irrigation / Ground Water (H7)
SOURCE: Irrigation Water

NOTES: Temperature above qualifying at 17.6 C

Sample ID	Lab ID	Analyte	Method Ref	Result	Units
IW 4 ET Vincent	T3223024D	Electrical Conductivity (EC)	EPA 120.1 and	1.56	mmhos/cm
		Ammonia Nitrogen (NH3-N)	SM 4500-NH3 D,C	< 0.500	mg/L
		Nitrate Nitrogen (NO3-N)	EPA 353.2	62.5	mg/L
		Total Dissolved Solids (TDS)	SM 2540 C-1997 and	830	mg/L
		Total Nitrogen (TN)	SM 4500-NH3 D,C	62.5	mg/L
		Soluble Salts (SALT-SOL)	Calculation	995	mg/L

Laboratory Quality Control	LCS %	MS %	MSD %	Sample mg/L	Dup mg/L	RPD %
Ammonia Nitrogen (NH3-N)	95.0	93.4 (T3223024A)	95.2 (T3223024A)			1.90
Electrical Conductivity (EC)	99.9			1.30 (T3223019A)	1.30 (Dup)	0.230
Nitrate Nitrogen (NO3-N)	104	100.0 (T3222015A)	96.4 (T3222015A)			3.65
Total Dissolved Solids (TDS)	94.5			65.0 (T3223034A)	65.0 (Dup)	0.000
Total Nitrogen (TN)	94.6			0.000 (T3223024A)	0.000 (null)	

The warranty of Denele Analytical is limited to the accuracy of the analyses of the samples as received. Denele Analytical assumes no responsibility for which the customer uses our test results, nor liability for any other warranties, express or implied. These terms and conditions shall supercede any conflicting terms and conditions submitted on customer purchase orders or other forms submitted for work.

Denele Analytical, Inc.

865 South Kilroy Avenue Turlock, CA 95380
Phone (209) 634-9055 - Fax (209) 634-9057

40 N. East Street, Woodland, CA 95776
Phone (530) 666-9056 - Fax (530) 666-9058

www.denelelabs.com

Compliance Analysis Report

Customer
Robert Gioletti & Sons Dairy Inc.
118 N. Blaker Rd.
Turlock, CA 95380

Grower

Consultant:
F & R Ag Services
2857 Geer Rd. Ste A
Turlock, CA 95382

PURCHASE ORDER:
RECEIVED DATE: 8/11/23 1:30 PM
SUBMITTED BY: Justin
ANALYZED DATE: 8/14/23

Irrigation / Ground Water (H7)
SOURCE: Irrigation Water

NOTES: Temperature above qualifying at 16.8 C

Sample ID	Lab ID	Analyte	Method Ref	Result	Units
IW 5 Mitchell	T3223024E	Electrical Conductivity (EC)	EPA 120.1 and	0.846	mmhos/cm
		Ammonia Nitrogen (NH3-N)	SM 4500-NH3 D,C	< 0.500	mg/L
		Nitrate Nitrogen (NO3-N)	EPA 353.2	26.0	mg/L
		Total Dissolved Solids (TDS)	SM 2540 C-1997 and	420	mg/L
		Total Nitrogen (TN)	SM 4500-NH3 D,C	26.0	mg/L
		Soluble Salts (SALT-SOL)	Calculation	541	mg/L

Laboratory Quality Control	LCS %	MS %	MSD %	Sample mg/L	Dup mg/L	RPD %
Ammonia Nitrogen (NH3-N)	95.0	93.4 (T3223024A)	95.2 (T3223024A)			1.90
Electrical Conductivity (EC)	99.9			1.30 (T3223019A)	1.30 (Dup)	0.230
Nitrate Nitrogen (NO3-N)	104	100.0 (T3222015A)	96.4 (T3222015A)			3.65
Total Dissolved Solids (TDS)	94.5			65.0 (T3223034A)	65.0 (Dup)	0.000
Total Nitrogen (TN)	94.6			0.000 (T3223024A)	0.000 (null)	

The warranty of Denele Analytical is limited to the accuracy of the analyses of the samples as received. Denele Analytical assumes no responsibility for which the customer uses our test results, nor liability for any other warranties, express or implied. These terms and conditions shall supercede any conflicting terms and conditions submitted on customer purchase orders or other forms submitted for work.

Denele Analytical, Inc.

865 South Kilroy Avenue Turlock, CA 95380
Phone (209) 634-9055 - Fax (209) 634-9057

40 N. East Street, Woodland, CA 95776
Phone (530) 666-9056 - Fax (530) 666-9058

www.denelelabs.com

Compliance Analysis Report

Customer
Robert Gioletti & Sons Dairy Inc.
118 N. Blaker Rd.
Turlock, CA 95380

Grower

Consultant:
F & R Ag Services
2857 Geer Rd. Ste A
Turlock, CA 95382

PURCHASE ORDER:
RECEIVED DATE: 8/11/23 1:30 PM
SUBMITTED BY: Justin
ANALYZED DATE: 8/14/23

Irrigation / Ground Water (H7)
SOURCE: Irrigation Water

NOTES: Temperature above qualifying at 12.4 C

Sample ID	Lab ID	Analyte	Method Ref	Result	Units
IW 6 Cabrals	T3223024F	Electrical Conductivity (EC)	EPA 120.1 and	2.81	mmhos/cm
		Ammonia Nitrogen (NH3-N)	SM 4500-NH3 D,C	< 0.500	mg/L
		Nitrate Nitrogen (NO3-N)	EPA 353.2	< 0.140	mg/L
		Total Dissolved Solids (TDS)	SM 2540 C-1997 and	1420	mg/L
		Total Nitrogen (TN)	SM 4500-NH3 D,C	< 1.50	mg/L
		Soluble Salts (SALT-SOL)	Calculation	1800	mg/L

Laboratory Quality Control	LCS %	MS %	MSD %	Sample mg/L	Dup mg/L	RPD %
Ammonia Nitrogen (NH3-N)	95.0	93.4 (T3223024A)	95.2 (T3223024A)			1.90
Electrical Conductivity (EC)	99.9			1.30 (T3223019A)	1.30 (Dup)	0.230
Nitrate Nitrogen (NO3-N)	104	100.0 (T3222015A)	96.4 (T3222015A)			3.65
Total Dissolved Solids (TDS)	94.5			65.0 (T3223034A)	65.0 (Dup)	0.000
Total Nitrogen (TN)	94.6			0.000 (T3223024A)	0.000 (null)	

The warranty of Denele Analytical is limited to the accuracy of the analyses of the samples as received. Denele Analytical assumes no responsibility for which the customer uses our test results, nor liability for any other warranties, express or implied. These terms and conditions shall supercede any conflicting terms and conditions submitted on customer purchase orders or other forms submitted for work.

DENELE ANALYTICAL, INC.

865 S. KILROY
TURLOCK, CA 95380

PH# 209-634-9055 FAX# 209-634-9057

DAIRY COMPLIANCE

Client: R. Goletti & Sons Dairy
Mailing address:
(not facility address)
Phone#: 602-9110

Authorized Copy Released To: F&R c/o Sean
Sampled By: Justin Goletti
Project ID: Irrigation well Samples

ANALYSIS TO BE COMPLETED:

IRRIGATION/GROUND WATER
- H1 EC*, NO3-N, NH4-N*
- H6 EC, TN, TDS
- H7 Combination of H1 & H6
- H14 EC, NO3-N, NH4-N, Ca, Mg, Na, Bicarb Carb, SO4, Cl, TDS

PROCESS WASTE WATER
- H3 EC*, NH4-N, TKN, TP, K, TDS
- H4 EC*, NO3-N, NH4-N, TKN, TP, K, TDS
- H5 Ca, Mg, Na, Bicarb, Carb, SO4, Cl
- H8 Combination of H3 &H5
- H9 Combination of H4 &H5

TILE DRAIN
- H2 EC*, NO3-N, TP, NH4-N*, TDS

** Required Field Measurement*

___ (Check here if performed)

DISCHARGE WATER
- E1 EC*, Temp*, pH*, NO3-N, NH4-N, TKN, TP, K, TDS, Dissolved Oxygen*, BOD 5, TSS, Total & Fecal Coliforms
- E2 EC,* Temp*, pH*, NO3-N, NH4-N*, Turbidity, TP, Dissolved Oxygen*, Total & Fecal Coliforms
- E3 EC*, Temp*, pH*, NO3-N, NH4-N*, TP, Total & Fecal Coliforms
- E4 EC*, Temp*, pH*, NO3-N, NH4-N*, Turbidity, TP, Total & Fecal Coliform

MANURE
- M1 % Moisture
- M3 TN TP, K, % Moisture
- M4 Ca, Mg, Na, Bicarb, Carb, SO4, Cl, Ash
- M7 Combination of M3 & M4

PLANT TISSUE
- F18 % Moisture, Ash, TN, P, K, DM and as received
- F18+ % Moisture, Ash, TN, P, K, DM and as received (Package also includes NIR DCAD)
- F19+ % Moisture, TN (Package includes complete plant tissue analysis)

SOIL
- K3 Soluble Phosphorus
- K4 1ft NO3, Organic Matter
- K5 Pre-Plant (2ft NO3), Fall (1-2ft NO3), Fall (2-3ft NO3)
- K6 0-1ft EC, NO3, Soluble P, K, Organic Matter
- K7 Combination of K3 & K4
- K8 Combination of K3 & K5

	Date Collected	Time Collected	Sample ID	Description	Temp	Well Purge	H1	H3	M3	F18	OTHER
1	8-11-23	8:30	IW 1 Mitchell		14.8						H-7
2		9:30	IW 2 Mitchell Trees		19.8						
3		10:30	IW 3 Brown's		16.4						
4		11:30	IW 4 E.T. Vincent		17.6						
5		12:30	IW 5 Mitchell		16.8						
6		1pm	IW 6 Cabral's		12.4						
7											
8											
9											
10											

Analysis

CHAIN OF CUSTODY RECORDING

	Signature	Company	Received Date & Time	Relinquished Date & Time	Logged in By:	LABORATORY NUMBER
1st				8-11-23 - 1:30pm		
2nd		DENELE ANALYTICAL, INC.	8-11-23 1:30			73223024

(LABORATORY USE ONLY)

Required to be submitted to any agency? (YES / NO)

R. Gioletti #1 2023 Annual Report

Final Audit Report 2024-04-18

Created:	2024-04-17
By:	Sean Locke (slocke@fragservices.com)
Status:	Signed
Transaction ID:	CBJCHBCAABAAWIUn6H1NfPR4sFPgtRfKTX9LqoFCZsJg

"R. Gioletti #1 2023 Annual Report" History

Document created by Sean Locke (slocke@fragservices.com)
2024-04-17 - 7:28:25 PM GMT

Document emailed to giodairy@sbcglobal.net for signature
2024-04-17 - 7:30:44 PM GMT

Email viewed by giodairy@sbcglobal.net
2024-04-18 - 2:43:50 AM GMT

Signer giodairy@sbcglobal.net entered name at signing as Justin Gioletti
2024-04-18 - 2:49:35 AM GMT

Document e-signed by Justin Gioletti (giodairy@sbcglobal.net)
Signature Date: 2024-04-18 - 2:49:37 AM GMT - Time Source: server

Agreement completed.
2024-04-18 - 2:49:37 AM GMT

Adobe Acrobat Sign