Annual Report - General Order No. R5-2007-0035
Reporting period 01/01/2023 to 12/31/2023.

DAIRY FACILITY INFORMATION

A. NAME OF DAIRY OR BUSINESS OPERATING THE DAIRY: Judith Pond Property

Physical address of dairy:

10300 Dillard RD	Wilton	Sacramento	95693
Number and Street	City	County	Zip Code

Street and nearest cross street (if no address):

Date facility was originally placed in operation: 01/01/1970

Regional Water Quality Control Board Basin Plan designation: Sacramento River Basin

County Assessor Parcel Number(s) for dairy facility:

X134-X230-X020-XXXX

B. OPERATORS

Pond, Judith E.

Operator name: Pond, Judith E.

Telephone no.: (916) 682-7687 Landline (916) 996-3647 Cellular

8470 Grant Line RD	Elk Grove	CA	95624
Mailing Address Number and Street	City	State	Zip Code

This operator is responsible for paying permit fees.

C. OWNERS

Pond, Judith E.

Legal owner name: Pond, Judith E.

Telephone no.: (916) 682-7687 Landline (916) 996-3647 Cellular

8470 Grant Line RD	Elk Grove	CA	95624
Mailing Address Number and Street	City	State	Zip Code

This owner is responsible for paying permit fees.

Annual Report - General Order No. R5-2007-0035
Reporting period 01/01/2023 to 12/31/2023.

AVAILABLE NUTRIENTS

A. HERD INFORMATION

	Milk Cows	Dry Cows	Bred Heifers (15-24 mo.)	Heifers (7-14 mo. to breeding)	Calves (4-6 mo.)	Calves (0-3 mo.)
Number open confinement	0	0	0	0	0	0
Number under roof	0	0	0	0	0	0
Maximum number	0	0	0	0	0	0
Average number	0	0	0	0	0	0
Avg live weight (lbs)	0	0	0	0		

Predominant milk cow breed: Jersey-Holstein Cross

Average milk production: 1 *pounds per cow per day*

B. MANURE GENERATED

Total manure excreted by the herd: 1.00 *tons per reporting period*

Total nitrogen from manure: 1.00 *lbs per reporting period*

After ammonia losses (30% loss applied): 0.70 *lbs per reporting period*

Total phosphorus from manure: 1.00 *lbs per reporting period*

Total potassium from manure: 1.00 *lbs per reporting period*

Total salt from manure: 0.00 *lbs per reporting period*

C. PROCESS WASTEWATER GENERATED

Process wastewater generated: 6,720,000 *gallons*

Total nitrogen generated: 628.75 *lbs*

Total phosphorus generated: 2,184.14 *lbs*

Total potassium generated: 41,183.67 *lbs*

Total salt generated: 736.03 *lbs*

	6,720,000	*gallons applied*
+	0	*gallons exported*
-	0	*gallons imported*
=	6,720,000	*gallons generated*

D. FRESH WATER SOURCES

Source Description	Type
Ag Well #1	Ground water
Ag Well #2	Ground water
Milk Barn/Domestic	Ground water
Modular Well	Ground water
Pasture Well	Ground water

E. SUBSURFACE (TILE) DRAINAGE SOURCES

No subsurface (tile) drainage sources entered.

F. NUTRIENT IMPORTS

No dry manure nutrient imports entered.

No process wastewater nutrient imports entered.

Date	Material type / Description	Quantity	Reporting basis	Moisture (%)	N (%)	P (%)	K (%)	Salt (%)
07/10/2023	Liquid commercial fertilizer *Commercial Fertilizer Side dress*	1,000.00 *gal*			90.000000	0.000000	0.000000	0.000000

Material type	Total N (lbs)	Total P (lbs)	Total K (lbs)	Total salt (lbs)
Commercial fertilizer / Other	7,510.50	0.00	0.00	0.00
Dry manure	0.00	0.00	0.00	0.00
Process wastewater	0.00	0.00	0.00	0.00
Total imports for all materials	7,510.50	0.00	0.00	0.00

G. NUTRIENT EXPORTS

No solid nutrient exports entered.

No liquid nutrient exports entered.

APPLICATION AREA

A. LIST OF LAND APPLICATION AREAS

Field name	Controlled acres	Cropable acres	Total harvests	Type of waste applied	Parcel number
Field #1	49	49	2	process wastewater	X134-X230-X020-XXXX
Field #2	60	60	2	process wastewater	X134-X200-X011-XXXX X134-X230-X020-XXXX
Field #3	50	50	0	none	X134-X230-X021-XXXX
Totals for areas that were used for application	109	109	4		
Totals for areas that were not used for application	50	50	0		
Land application area totals	159	159	4		

B. CROPS AND HARVESTS

Field #1

Field name: Field #1

05/18/2023: Corn, silage

Crop: Corn, silage Acres planted: 49 Plant date: 05/18/2023

Harvest date	Yield	Reporting basis	Density (lbs/cu ft)	Moisture (%)	N (mg/kg)	P (mg/kg)	K (mg/kg)	Salt (mg/kg)	TFS (%)
09/21/2023	1,000.00 *ton*	Dry-weight		61.6	10,000.00	1,210.00	8,550.00		4.20
09/21/2023	225.00 *ton*	Dry-weight		63.8	9,650.00	1,090.00	8,760.00		6.70

	Yield (tons/acre)	Total N (lbs/acre)	Total P (lbs/acre)	Total K (lbs/acre)	Salt (lbs/acre)
Anticipated harvest content	26.00	208.00	39.00	166.40	0.00
Total actual harvest content	25.00	188.82	22.59	163.13	881.03

Field #2

Field name: Field #2

Field #2

05/18/2023: Corn, silage

Crop: Corn, silage Acres planted: 60 Plant date: 05/18/2023

Harvest date	Yield	Reporting basis	Density (lbs/cu ft)	Moisture (%)	N (mg/kg)	P (mg/kg)	K (mg/kg)	Salt (mg/kg)	TFS (%)
09/22/2023	500.00 *ton*	Dry-weight		63.8	9,650.00	1,090.00	8,760.00		6.70
09/22/2023	1,000.00 *ton*	Dry-weight		71.2	12,200.00	2,250.00	8,160.00		6.10

	Yield (tons/acre)	Total N (lbs/acre)	Total P (lbs/acre)	Total K (lbs/acre)	Salt (lbs/acre)
Anticipated harvest content	26.00	208.00	39.00	171.60	0.00
Total actual harvest content	25.00	175.34	28.18	131.19	989.83

NUTRIENT BUDGET

A. LAND APPLICATIONS

Field #1 - 05/18/2023: Corn, silage

Field name: Field #1

Crop: Corn, silage

Plant date: 05/18/2023

Application date	Application method	Precipitation 24 hours prior	Precipitation during application	Precipitation 24 hours following
05/19/2023	Surface (irrigation)	No precipitation	No precipitation	No precipitation

Source description	Material type	N (lbs/acre)	P (lbs/acre)	K (lbs/acre)	Salt (lbs/acre)	Amount
LAGOON APPLICATION	Process wastewater	1.32	9.02	171.53	0.00	924,000.00 *gal*
Ag Well #1	Ground water	0.19	0.00	0.00	0.00	5,760,000.00 *gal*
Application event totals		1.51	9.02	171.53	0.00	

Application date	Application method	Precipitation 24 hours prior	Precipitation during application	Precipitation 24 hours following
06/02/2023	Surface (irrigation)	No precipitation	No precipitation	No precipitation

Source description	Material type	N (lbs/acre)	P (lbs/acre)	K (lbs/acre)	Salt (lbs/acre)	Amount
Ag Well #1	Ground water	0.17	0.00	0.00	0.00	5,376,000.00 *gal*
Application event totals		0.17	0.00	0.00	0.00	

Application date	Application method	Precipitation 24 hours prior	Precipitation during application	Precipitation 24 hours following
06/16/2023	Surface (irrigation)	No precipitation	No precipitation	No precipitation

Source description	Material type	N (lbs/acre)	P (lbs/acre)	K (lbs/acre)	Salt (lbs/acre)	Amount
Ag Well #1	Ground water	0.16	0.00	0.00	0.00	5,040,000.00 *gal*
Application event totals		0.16	0.00	0.00	0.00	

Application date	Application method	Precipitation 24 hours prior	Precipitation during application	Precipitation 24 hours following
06/30/2023	Surface (irrigation)	No precipitation	No precipitation	No precipitation

Source description	Material type	N (lbs/acre)	P (lbs/acre)	K (lbs/acre)	Salt (lbs/acre)	Amount
Lagoon Application	Process wastewater	1.41	9.63	183.22	0.00	987,000.00 *gal*
Ag Well #1	Ground water	0.15	0.00	0.00	0.00	4,560,000.00 *gal*
Application event totals		1.56	9.63	183.22	0.00	

Field #1 - 05/18/2023: Corn, silage

Application date	Application method	Precipitation 24 hours prior	Precipitation during application	Precipitation 24 hours following
07/14/2023	Surface (irrigation)	No precipitation	No precipitation	No precipitation

Source description	Material type	N (lbs/acre)	P (lbs/acre)	K (lbs/acre)	Salt (lbs/acre)	Amount
COMMERCIAL FERTILIZER SIDEDRESS	Liquid commercial fertilizer	75.00	0.00	0.00	0.00	
Ag Well #1	Ground water	0.16	0.00	0.00	0.00	5,040,000.00 *gal*
Application event totals		75.16	0.00	0.00	0.00	

Application date	Application method	Precipitation 24 hours prior	Precipitation during application	Precipitation 24 hours following
07/28/2023	Surface (irrigation)	No precipitation	No precipitation	No precipitation

Source description	Material type	N (lbs/acre)	P (lbs/acre)	K (lbs/acre)	Salt (lbs/acre)	Amount
Lagoon Application	Process wastewater	2.85	0.23	1.05	6.72	987,000.00 *gal*
Ag Well #1	Ground water	0.15	0.00	0.00	0.00	4,560,000.00 *gal*
Application event totals		3.00	0.23	1.05	6.72	

Application date	Application method	Precipitation 24 hours prior	Precipitation during application	Precipitation 24 hours following
08/11/2023	Surface (irrigation)	No precipitation	No precipitation	No precipitation

Source description	Material type	N (lbs/acre)	P (lbs/acre)	K (lbs/acre)	Salt (lbs/acre)	Amount
Ag Well #1	Ground water	0.16	0.00	0.00	0.00	5,040,000.00 *gal*
Application event totals		0.16	0.00	0.00	0.00	

Application date	Application method	Precipitation 24 hours prior	Precipitation during application	Precipitation 24 hours following
08/25/2023	Surface (irrigation)	No precipitation	No precipitation	No precipitation

Source description	Material type	N (lbs/acre)	P (lbs/acre)	K (lbs/acre)	Salt (lbs/acre)	Amount
Ag Well #1	Ground water	0.16	0.00	0.00	0.00	5,040,000.00 *gal*
Application event totals		0.16	0.00	0.00	0.00	

Field #2 - 05/18/2023: Corn, silage

Field name: Field #2

Crop: Corn, silage

Plant date: 05/18/2023

Application date	Application method	Precipitation 24 hours prior	Precipitation during application	Precipitation 24 hours following

Field #2 - 05/18/2023: Corn, silage

Application date	Application method	Precipitation 24 hours prior	Precipitation during application	Precipitation 24 hours following
05/19/2023	Surface (irrigation)	No precipitation	No precipitation	No precipitation

Source description	Material type	N (lbs/acre)	P (lbs/acre)	K (lbs/acre)	Salt (lbs/acre)	Amount
Ag Well #2	Ground water	0.20	0.00	0.00	0.00	6,864,000.00 *gal*
Application event totals		0.20	0.00	0.00	0.00	

Application date	Application method	Precipitation 24 hours prior	Precipitation during application	Precipitation 24 hours following
06/02/2023	Surface (irrigation)	No precipitation	No precipitation	No precipitation

Source description	Material type	N (lbs/acre)	P (lbs/acre)	K (lbs/acre)	Salt (lbs/acre)	Amount
LAGOON APPLICATION	Process wastewater	1.62	11.05	210.12	0.00	1,386,000.00 *gal*
Ag Well #2	Ground water	0.19	0.00	0.00	0.00	6,480,000.00 *gal*
Application event totals		1.81	11.05	210.12	0.00	

Application date	Application method	Precipitation 24 hours prior	Precipitation during application	Precipitation 24 hours following
06/16/2023	Surface (irrigation)	No precipitation	No precipitation	No precipitation

Source description	Material type	N (lbs/acre)	P (lbs/acre)	K (lbs/acre)	Salt (lbs/acre)	Amount
Lagoon Application	Process wastewater	1.42	9.71	184.65	0.00	1,218,000.00 *gal*
Ag Well #2	Ground water	0.15	0.00	0.00	0.00	5,040,000.00 *gal*
Application event totals		1.57	9.71	184.65	0.00	

Application date	Application method	Precipitation 24 hours prior	Precipitation during application	Precipitation 24 hours following
06/30/2023	Surface (irrigation)	No precipitation	No precipitation	No precipitation

Source description	Material type	N (lbs/acre)	P (lbs/acre)	K (lbs/acre)	Salt (lbs/acre)	Amount
Ag Well #2	Ground water	0.18	0.00	0.00	0.00	6,096,000.00 *gal*
Application event totals		0.18	0.00	0.00	0.00	

Application date	Application method	Precipitation 24 hours prior	Precipitation during application	Precipitation 24 hours following
07/14/2023	Surface (irrigation)	No precipitation	No precipitation	No precipitation

Source description	Material type	N (lbs/acre)	P (lbs/acre)	K (lbs/acre)	Salt (lbs/acre)	Amount
Lagoon Application	Process wastewater	2.87	0.23	1.06	6.78	1,218,000.00 *gal*
Ag Well #2	Ground water	0.15	0.00	0.00	0.00	5,040,000.00 *gal*
Application event totals		3.02	0.23	1.06	6.78	

Field #2 - 05/18/2023: Corn, silage

Application date	Application method	Precipitation 24 hours prior	Precipitation during application	Precipitation 24 hours following
07/28/2023	Surface (irrigation)	No precipitation	No precipitation	No precipitation

Source description	Material type	N (lbs/acre)	P (lbs/acre)	K (lbs/acre)	Salt (lbs/acre)	Amount
COMMERCIAL FERTILIZER SIDEDRESS	Liquid commercial fertilizer	75.00	0.00	0.00	0.00	
Ag Well #2	Ground water	0.18	0.00	0.00	0.00	6,096,000.00 *gal*
Application event totals		75.18	0.00	0.00	0.00	

Application date	Application method	Precipitation 24 hours prior	Precipitation during application	Precipitation 24 hours following
08/11/2023	Surface (irrigation)	No precipitation	No precipitation	No precipitation

Source description	Material type	N (lbs/acre)	P (lbs/acre)	K (lbs/acre)	Salt (lbs/acre)	Amount
Ag Well #2	Ground water	0.18	0.00	0.00	0.00	6,096,000.00 *gal*
Application event totals		0.18	0.00	0.00	0.00	

Application date	Application method	Precipitation 24 hours prior	Precipitation during application	Precipitation 24 hours following
08/25/2023	Surface (irrigation)	No precipitation	No precipitation	No precipitation

Source description	Material type	N (lbs/acre)	P (lbs/acre)	K (lbs/acre)	Salt (lbs/acre)	Amount
Ag Well #2	Ground water	0.18	0.00	0.00	0.00	6,096,000.00 *gal*
Application event totals		0.18	0.00	0.00	0.00	

B. NUTRIENT BUDGET

Field #1 - 05/18/2023: Corn, silage

Field name: Field #1 Crop: Corn, silage Plant date: 05/18/2023

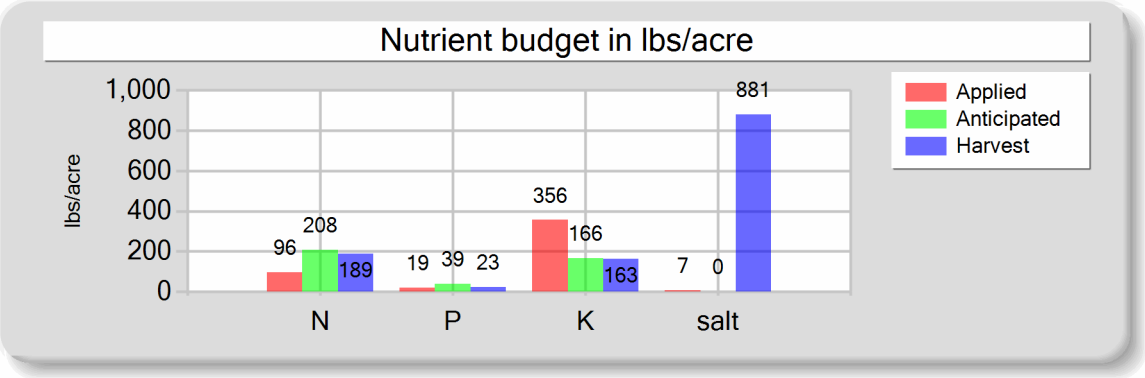

	Total N (lbs/acre)	Total P (lbs/acre)	Total K (lbs/acre)	Total salt (lbs/acre)
Existing soil nutrient content	0.00	0.00	0.00	0.00
Plowdown credit	0.00	0.00	0.00	0.00
Commercial fertilizer / Other	75.00	0.00	0.00	0.00
Dry manure	0.00	0.00	0.00	0.00
Process wastewater	5.59	18.88	355.80	6.72
Fresh water	1.31	0.00	0.00	0.00
Atmospheric deposition	14.00	0.00	0.00	0.00
Total nutrients applied	95.89	18.88	355.80	6.72
Anticipated crop nutrient removal	208.00	39.00	166.40	0.00
Actual crop nutrient removal	188.82	22.59	163.13	881.03
Nutrient balance	-92.92	-3.71	192.67	-874.30
Applied to removed ratio	0.51	0.84	2.18	0.01

Fresh water applied	
40,416,000.00	*gallons*
1,488.38	*acre-inches*
30.38	*inches/acre*

Process wastewater applied	
2,898,000.00	*gallons*
106.72	*acre-inches*
2.18	*inches/acre*

Total harvests for the crop	
2	*harvests*

Field #2 - 05/18/2023: Corn, silage

Field name: Field #2 Crop: Corn, silage Plant date: 05/18/2023

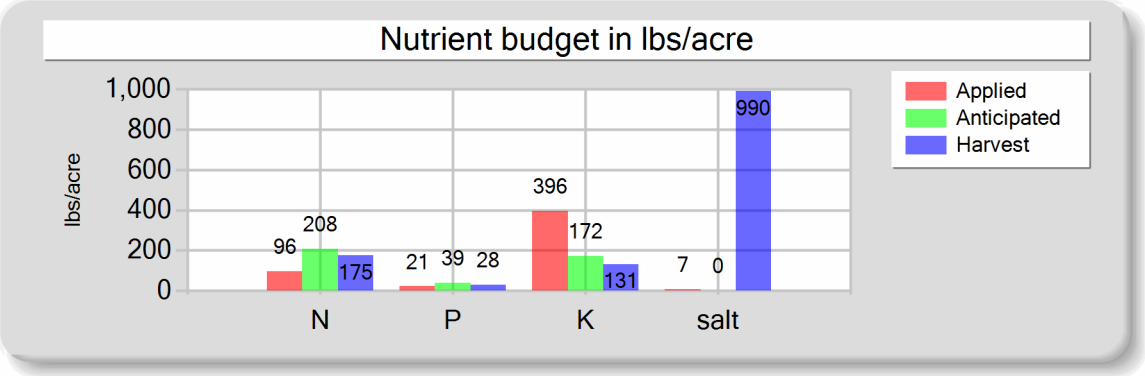

	Total N (lbs/acre)	Total P (lbs/acre)	Total K (lbs/acre)	Total salt (lbs/acre)
Existing soil nutrient content	0.00	0.00	0.00	0.00
Plowdown credit	0.00	0.00	0.00	0.00
Commercial fertilizer / Other	75.00	0.00	0.00	0.00
Dry manure	0.00	0.00	0.00	0.00
Process wastewater	5.92	20.98	395.83	6.78
Fresh water	1.40	0.00	0.00	0.00
Atmospheric deposition	14.00	0.00	0.00	0.00
Total nutrients applied	96.31	20.98	395.83	6.78
Anticipated crop nutrient removal	208.00	39.00	171.60	0.00
Actual crop nutrient removal	175.34	28.18	131.19	989.83
Nutrient balance	-79.03	-7.19	264.64	-983.06
Applied to removed ratio	0.55	0.74	3.02	0.01

Fresh water applied	
47,808,000.00	*gallons*
1,760.61	*acre-inches*
29.34	*inches/acre*

Process wastewater applied	
3,822,000.00	*gallons*
140.75	*acre-inches*
2.35	*inches/acre*

Total harvests for the crop	
2	*harvests*

NUTRIENT ANALYSES

A. MANURE ANALYSES

No manure analyses entered.

B. PROCESS WASTEWATER ANALYSES

T3053012A

Sample and source description: T3053012A

Sample date: 02/22/2023 Material type: Process wastewater Source of analysis: Lab analysis pH: 0.00

	Kjeldahl-N (mg/L)	NH4-N (mg/L)	NH3-N (mg/L)	Nitrate-N (mg/L)	Total P (mg/L)	Total K (mg/L)	Calcium (mg/L)	Magnes. (mg/L)	Sodium (mg/L)	Bicarb. (mg/L)	Carb. (mg/L)	Sulfate (mg/L)	Chloride (mg/L)	EC (µmhos/cm)	TDS (mg/L)
Value	8.40	5.60	0.00	0.00	4.14	15.70								160.00	80
DL	1.00	1.00	1.00	1.00	1.00	1.00								100.00	1

T3139075A

Sample and source description: T3139075A

Sample date: 05/19/2023 Material type: Process wastewater Source of analysis: Lab analysis pH: 0.00

	Kjeldahl-N (mg/L)	NH4-N (mg/L)	NH3-N (mg/L)	Nitrate-N (mg/L)	Total P (mg/L)	Total K (mg/L)	Calcium (mg/L)	Magnes. (mg/L)	Sodium (mg/L)	Bicarb. (mg/L)	Carb. (mg/L)	Sulfate (mg/L)	Chloride (mg/L)	EC (µmhos/cm)	TDS (mg/L)
Value	8.40	2.80	0.00	0.00	57.30	1,090.00								231.00	0
DL	1.00	1.00	1.00	1.00	1.00	1.00								100.00	10

T3264046

Sample and source description: T3264046

Sample date: 09/21/2023 Material type: Process wastewater Source of analysis: Lab analysis pH: 7.40

	Kjeldahl-N (mg/L)	NH4-N (mg/L)	NH3-N (mg/L)	Nitrate-N (mg/L)	Total P (mg/L)	Total K (mg/L)	Calcium (mg/L)	Magnes. (mg/L)	Sodium (mg/L)	Bicarb. (mg/L)	Carb. (mg/L)	Sulfate (mg/L)	Chloride (mg/L)	EC (µmhos/cm)	TDS (mg/L)
Value	16.80	11.20	0.00	0.17	1.37	6.25	7.36	7.08	8.87	100.00	0.00	23.90	0.00	224.00	40
DL	1.00	1.00	1.00	0.10	1.00	1.00	1.00	1.00	1.00	1.00	2.00	1.00	0.80	100.00	1

C. FRESH WATER ANALYSES

Ag Well #1

Ag Well #1

T3307005B

Sample description: T3307005B

Sample date: 11/03/2023 Source of analysis: Lab analysis

	Total N (mg/L)	NH4-N (mg/L)	Nitrate-N (mg/L)	Calcium (mg/L)	Magnesium (mg/L)	Sodium (mg/L)	Bicarbonate (mg/L)	Carbonate (mg/L)	Sulfate (mg/L)	Chloride (mg/L)	EC (µmhos/cm)	TDS (mg/L)
Value	0.19	0.00	0.19								116.00	0
DL	0.10	0.50	0.10								100.00	1

Ag Well #2

T3307005C

Sample description: T3307005C

Sample date: 11/03/2023 Source of analysis: Lab analysis

	Total N (mg/L)	NH4-N (mg/L)	Nitrate-N (mg/L)	Calcium (mg/L)	Magnesium (mg/L)	Sodium (mg/L)	Bicarbonate (mg/L)	Carbonate (mg/L)	Sulfate (mg/L)	Chloride (mg/L)	EC (µmhos/cm)	TDS (mg/L)
Value	0.21	0.00	0.21								116.00	0
DL	0.10	0.50	0.10								100.00	1

Milk Barn/Domestic

T3307005A

Sample description: T3307005A

Sample date: 11/03/2023 Source of analysis: Lab analysis

	Total N (mg/L)	NH4-N (mg/L)	Nitrate-N (mg/L)	Calcium (mg/L)	Magnesium (mg/L)	Sodium (mg/L)	Bicarbonate (mg/L)	Carbonate (mg/L)	Sulfate (mg/L)	Chloride (mg/L)	EC (µmhos/cm)	TDS (mg/L)
Value	0.17	0.00	0.17	4.66	3.07	8.62	50.00	0.00	6.33	0.00	114.00	80
DL	0.10	0.50	0.10	1.00	1.00	1.00	1.00	2.00	1.00	0.80	100.00	1

Modular Well

Modular Well

T3307005E

Sample description: T3307005E

Sample date: 11/03/2023 Source of analysis: Lab analysis

	Total N (mg/L)	NH4-N (mg/L)	Nitrate-N (mg/L)	Calcium (mg/L)	Magnesium (mg/L)	Sodium (mg/L)	Bicarbonate (mg/L)	Carbonate (mg/L)	Sulfate (mg/L)	Chloride (mg/L)	EC (µmhos/cm)	TDS (mg/L)
Value	0.50	0.00	0.50								193.00	0
DL	0.10	0.50	0.10								100.00	1

Pasture Well

T3307005D

Sample description: T3307005D

Sample date: 11/03/2023 Source of analysis: Lab analysis

	Total N (mg/L)	NH4-N (mg/L)	Nitrate-N (mg/L)	Calcium (mg/L)	Magnesium (mg/L)	Sodium (mg/L)	Bicarbonate (mg/L)	Carbonate (mg/L)	Sulfate (mg/L)	Chloride (mg/L)	EC (µmhos/cm)	TDS (mg/L)
Value	0.50	0.00	0.50								195.00	0
DL	0.10	0.50	0.10								100.00	1

D. SOIL ANALYSES

No soil analyses entered.

E. PLANT TISSUE ANALYSES

Field #1 - 05/18/2023: Corn, silage

Field #1 - 05/18/2023: Corn, silage

T3291028A

Sample and source description: T3291028A

Sample date: 10/18/2023 Source of analysis: Lab analysis Method of reporting: Dry-weight

Moisture: 61.6 %

	Total N (mg/kg)	Total P (mg/kg)	Total K (mg/kg)	Total salt (mg/kg)	TFS (%)
Value	10,000.00	1,210.00	8,550.00		4.20
DL	1.00	1.00	1.00		1.00

T3291028B

Sample and source description: T3291028B

Sample date: 10/18/2023 Source of analysis: Lab analysis Method of reporting: Dry-weight

Moisture: 63.8 %

	Total N (mg/kg)	Total P (mg/kg)	Total K (mg/kg)	Total salt (mg/kg)	TFS (%)
Value	9,650.00	1,090.00	8,760.00		6.70
DL	1.00	1.00	1.00		1.00

Field #2 - 05/18/2023: Corn, silage

T3279066A

Sample and source description: T3279066A

Sample date: 10/06/2023 Source of analysis: Lab analysis Method of reporting: Dry-weight

Moisture: 71.2 %

	Total N (mg/kg)	Total P (mg/kg)	Total K (mg/kg)	Total salt (mg/kg)	TFS (%)
Value	12,200.00	2,250.00	8,160.00		6.10
DL	1.00	1.00	1.00		1.00

Field #2 - 05/18/2023: Corn, silage

T3291028B

Sample and source description: T3291028B

Sample date: 10/18/2023 Source of analysis: Lab analysis Method of reporting: Dry-weight

Moisture: 63.8 %

	Total N (mg/kg)	Total P (mg/kg)	Total K (mg/kg)	Total salt (mg/kg)	TFS (%)
Value	9,650.00	1,090.00	8,760.00		6.70
DL	1.00	1.00	1.00		1.00

F. SUBSURFACE (TILE) DRAINAGE ANALYSES

No subsurface (tile) drainage analyses entered.

NUTRIENT APPLICATIONS, POTENTIAL REMOVAL, AND BALANCE

A. SUMMARY OF NUTRIENT APPLICATIONS, POTENTIAL REMOVAL, AND BALANCE

	Total N (lbs)	Total P (lbs)	Total K (lbs)	Total salt (lbs)
Existing soil nutrient content	0.00	0.00	0.00	0.00
Plowdown credit	0.00	0.00	0.00	0.00
Commercial fertilizer / Other	8,175.00	0.00	0.00	0.00
Dry manure	0.00	0.00	0.00	0.00
Process wastewater	628.75	2,184.14	41,183.67	736.03
Fresh water	147.86	0.00	0.00	0.00
Atmospheric deposition	1,526.00	0.00	0.00	0.00
Total nutrients applied	10,477.62	2,184.14	41,183.67	736.03
Anticipated crop nutrient removal	22,672.00	4,251.00	18,449.60	0.00
Actual crop nutrient removal	19,772.49	2,797.42	15,864.68	102,560.30
Nutrient balance	-9,294.87	-613.28	25,318.99	-101,824.27
Applied to removed ratio	0.53	0.78	2.60	0.01

B. POUNDS OF NUTRIENT APPLIED VS. CROP REMOVAL

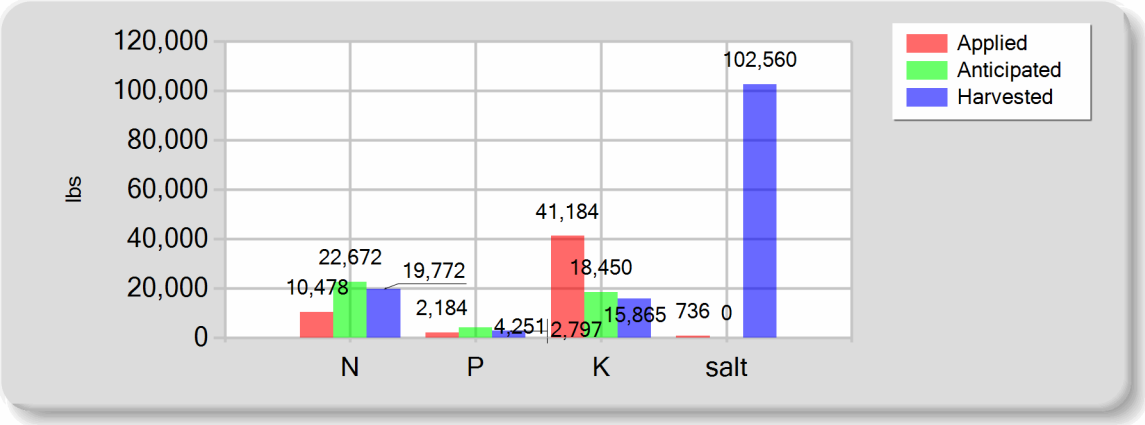

C. POUNDS OF NUTRIENT APPLIED BY MATERIAL TYPE

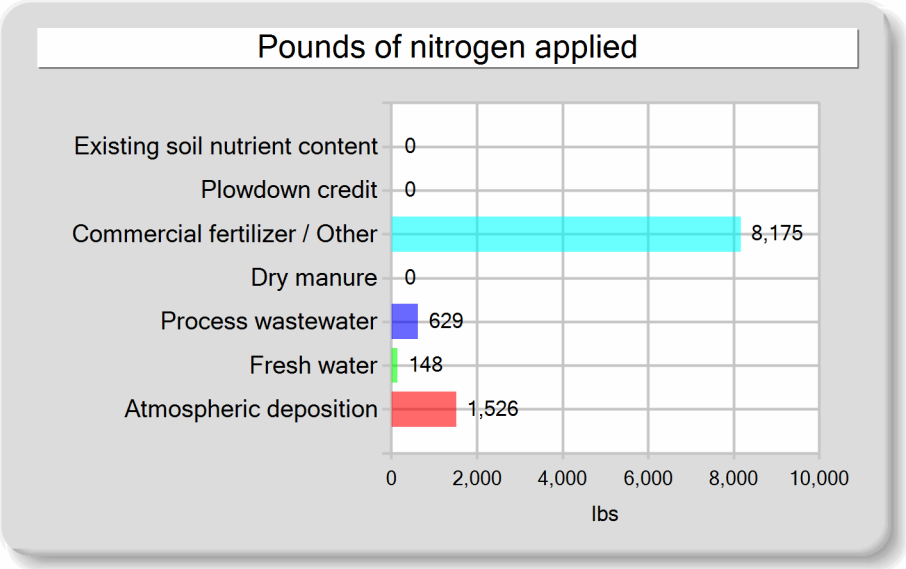

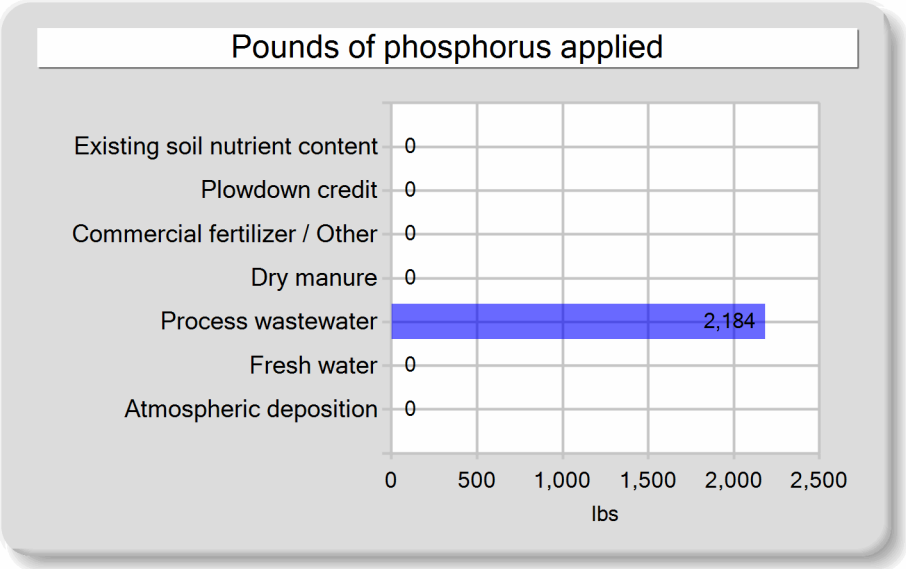

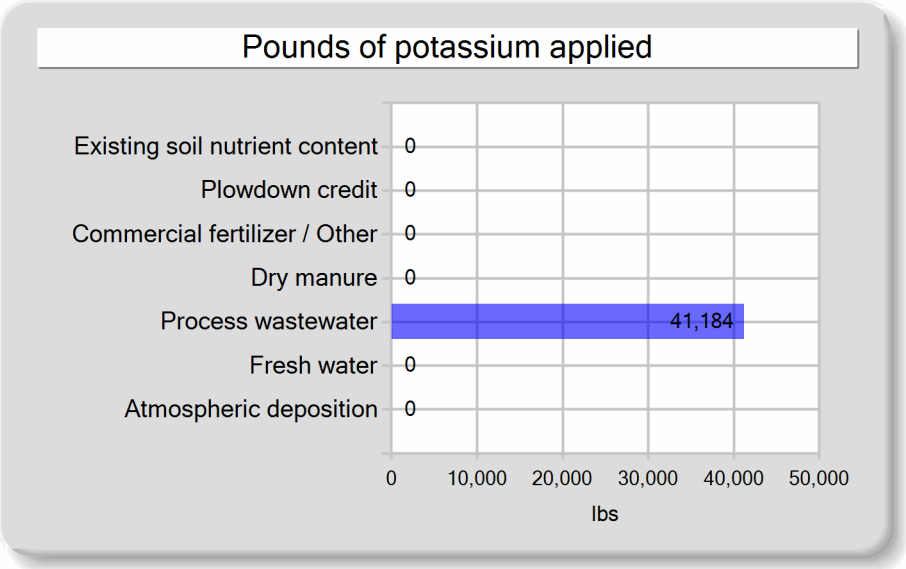

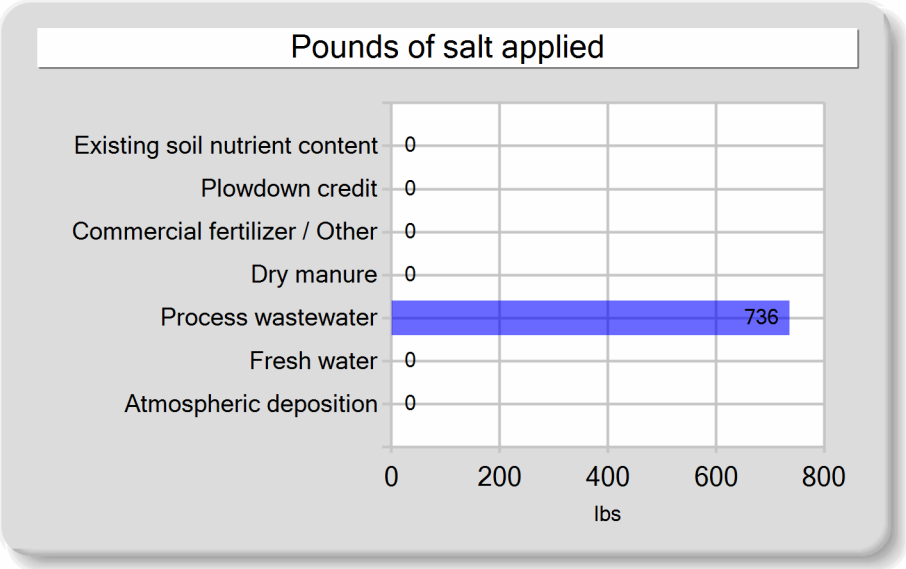

EXCEPTION REPORTING

A. MANURE, PROCESS WASTEWATER, AND OTHER DAIRY WASTE DISCHARGES

The following is a summary of all manure and process wastewater discharges from the production area to surface water or to land areas (land application areas or otherwise) when not in accordance with the facility's Nutrient Management Plan.

No manure or process wastewater discharges occurred during the reporting period.

B. STORM WATER DISCHARGES

The following is a summary of all storm water discharges from the production area to surface water during the reporting period when not in accordance with the facility 's Nutrient Management Plan.

No stormwater discharges occurred during the reporting period.

C. LAND APPLICATION AREA TO SURFACE WATER DISCHARGES

The following is a summary of all discharges from the land application area to surface water that have occurred during the reporting period when not in accordance with the facility's Nutrient Management Plan.

No land application area to surface water discharges occurred during the reporting period.

NUTRIENT MANAGEMENT PLAN AND EXPORT AGREEMENT STATEMENTS

A. NUTRIENT MANAGEMENT PLAN STATEMENTS

Was the facility's NMP updated in the reporting period?	No
Was the facility's NMP developed by a certified nutrient management planner (specialist) as specified in Attachment C of the General Order?	Yes
Was the facility's NMP approved by a certified nutrient management planner (specialist) as specified in Attachment C of the General Order?	Yes

B. EXPORT AGREEMENT STATEMENT

Are there any written agreements with third parties to receive manure or process wastewater that are new or were revised within the reporting period?	No

ADDITIONAL NOTES

A. NOTES

No notes entered for this annual report.

Annual Report - General Order No. R5-2007-0035
Reporting period 01/01/2023 to 12/31/2023.

CERTIFICATION

A. OWNER AND/OR OPERATOR CERTIFICATION

I certify under penalty of law that I have personally examined and am familiar with the information submitted in this document and all attachments and that, based on my inquiry of those individuals immediately responsible for obtaining the information, I believe that the information is true, accurate, and complete. I am aware that there are significant penalties for submitting false information, including the possibility of fine and imprisonment.

SIGNATURE OF OWNER OF FACILITY	SAME AS OWNER SIGNATURE OF OPERATOR OF FACILITY
Judith E. Pond PRINT OR TYPE NAME	SAME AS OWNER PRINT OR TYPE NAME
JUDITH E. POND DATE	6/21/24 DATE
6/21/24	

ATTACHMENTS

A. REQUIRED ATTACHMENTS

The following lists the required documents that should be attached to the Annual Report when submitted .

Annual Dairy Facility Assessment
Provide an Annual Dairy Facility Assessment (an update to the Preliminary Dairy Facility Assessment in Attachment A) for each reporting period. On the PDFA Final page, click on the ADFA Report button to generate an ADFA report after updating information as needed .

Manure/Process Wastewater Tracking Manifests
Provide copies of all manure/process wastewater tracking manifests for the reporting period, signed by both the owner/operator and the hauler.

Corrective Actions Documents
Provide records documenting any corrective actions taken to correct deficiencies noted as a result of the inspections required in the Monitoring Requirements of the General Order. Deficiencies not corrected in 30 days must be accompanied by an explanation of the factors preventing immediate correction.

Groundwater Monitoring
Dischargers that monitor supply wells or subsurface (tile) drainage systems, or that have monitoring well systems must submit monitoring results as directed in the General Order, Groundwater Reporting Section starting on page MRP-13.

Storm Water Monitoring
Dischargers that are required to monitor storm water more frequently than required in the General Order must submit monitoring results as directed in the General Order, Storm Water Reporting Section on page MRP-14.

DENELE ANALYTICAL, INC.

865 S. KILROY
TURLOCK, CA 95380
PH# 209-634-9055 FAX# 209-634-9057

DAIRY COMPLIANCE

Client: Judith Pond Property
Mailing address: P.O. Box 47
(not facility address) Wilton, CA 95693
Phone#: (916) 996-3647

Authorized Copy Released To:
JCRK, INC.
(209)327-0992
Sampled By: Jim Captein
Project ID:

ANALYSIS TO BE COMPLETED:

IRRIGATION/GROUND WATER
H1 EC*, NO3-N, NH4-N*
H6 EC, TN, TDS
H7 Combination of H1 & H6
H14 EC, NO3-N, NH4-N, Ca, Mg, Na, Bicarb Carb, SO4, Cl, TDS

PROCESS WASTE WATER
H3 EC*, NH4-N, TKN, TP, K, TDS
H4 EC*, NO3-N, NH4-N, TKN, TP, K, TDS
H5 Ca, Mg, Na, Bicarb, Carb, SO4, Cl
H8 Combination of H3 &H5
H9 Combination of H4 &H5

TILE DRAIN
H2 EC*, NO3-N, TP, NH4-N*, TDS

** Required Field Measurement*
___ (Check here if performed)

DISCHARGE WATER
E1 EC*, Temp*, pH*, NO3-N, NH4-N, TKN, TP, K, TDS, Dissolved Oxygen*, BOD 5, TSS, Total & Fecal Coliforms
E2 EC,* Temp*, pH*, NO3-N, NH4-N*, Turbidity, TP, Dissolved Oxygen*, Total & Fecal Coliforms
E3 EC*, Temp*, pH*, NO3-N, NH4-N*, TP, Total & Fecal Coliforms
E4 EC*, Temp*, pH*, NO3-N, NH4-N*, Turbidity, TP, Total & Fecal Coliform

MANURE
M1 % Moisture
M3 TN TP, K, % Moisture
M4 Ca, Mg, Na, Bicarb, Carb, SO4, Cl, Ash
M7 Combination of M3 & M4

PLANT TISSUE
F18 % Moisture, Ash, TN, P, K, DM and as received
F18+ % Moisture, Ash, TN, P, K, DM and as received (Package also includes NIR DCAD)
F19+ % Moisture, TN (Package includes complete plant tissue analysis)

SOIL
K3 Soluble Phosphorus
K4 1ft NO3, Organic Matter
K5 Pre-Plant (2ft NO3), Fall (1-2ft NO3), Fall (2-3ft NO3)
K6 0-1ft EC, NO3, Soluble P, K, Organic Matter
K7 Combination of K3 & K4
K8 Combination of K3 & K5

	Date Collected	Time Collected	Sample ID	Description	Temp	Well Purge	H1	H3	M3	F18	OTHER
							Analysis				
1	11/2/23	9:30a	Milk Barn/ Domestic	Dom Well	16.2°c	20 min					H14
2	✓	9:55a	Ag Well #1	Ag Well	16.0°c	✓	X				
3	✓	10:20a	Ag Well #2	✓	15.8°c	✓	X				
4	✓	10:50a	Pasture Well	✓	15.0°c	✓	X				
5	✓	11:20a	Modular Well	Dom Well	18.0°c	✓	X				
6											
7											
8											
9											
10											

CHAIN OF CUSTODY RECORDING

	Signature	Company	Received Date & Time	Relinquished Date & Time	(LABORATORY USE ONLY) Logged In By:	LABORATORY NUMBER
1st	Jacquie Captein	JCRK		11/3/23 8:00a		
2nd		DENELE ANALYTICAL, INC.	11-3-23 1:00			T3307005

Required to be submitted to any agency? (YES / NO)

Denele Analytical, Inc.

865 South Kilroy Avenue Turlock, CA 95380
Phone (209) 634-9055 - Fax (209) 634-9057

www.denelelabs.com

40 N. East Street, Woodland, CA 95776
Phone (530) 666-9056 - Fax (530) 666-9058

Compliance Analysis Report

Customer
Judith Pond Property
PO Box 47
Wilton, CA 95693

Grower

Consultant:
Jacquie Captein
P.O. Box 386
Herald, CA 95638

PURCHASE ORDER:
RECEIVED DATE: 11/3/23 1:00 PM
SUBMITTED BY: Jacquie
ANALYZED DATE: 11/3/23

Irrigation /Ground Water (H14)
SOURCE: Well Water

NOTES: Temperature was above qualifying at 16.2c

Sample ID	Lab ID	Analyte	Method Ref	Result	Units
Milk Barn/Domestic	T3307005A	Electrical Conductivity (EC)	EPA 120.1 and	0.114	mmhos/cm
		Bicarbonate Alkalinity (ALK-B)	SM 2320B-2011	50.0	mg/L
		Carbonate Alkalinity (Carb)	SM 2320B-2011	< 2.00	mg/L
		Sulfate (SO4)	EPA 375.2	6.33	mg/L
		Sodium (Na)	EPA 200.7	8.62	mg/L
		Ammonia Nitrogen (NH3-N)	SM 4500-NH3 D,C	< 0.500	mg/L
		Magnesium (Mg)	EPA 200.7	3.07	mg/L
		Nitrate Nitrogen (NO3-N)	EPA 353.2	0.172	mg/L
		Total Dissolved Solids (TDS)	SM 2540 C-1997 and	80.0	mg/L
		Calcium (Ca)	EPA 200.7	4.66	mg/L
		Chloride (Cl)	SM 4500-Cl D-2011	< 0.800	mg/L
		Soluble Salts (SALT-SOL)	Calculation	72.7	mg/L

Laboratory Quality Control	LCS %	MS %	MSD %	Sample mg/L	Dup mg/L	RPD %
Ammonia Nitrogen (NH3-N)	95.6	97.6 (T3306002A)	95.2 (T3306002A)			2.48
Calcium (Ca)	102			29.2 (W3306004A)	29.1 (DUP)	0.549
Chloride (Cl)	101	106 (W3306004A)	107 (W3306004A)			1.50
Magnesium (Mg)	97.6			21.3 (W3306004A)	21.2 (DUP)	0.235
Nitrate Nitrogen (NO3-N)	99.2	102 (W3306004A)	101 (W3306004A)			1.17
Sodium (Na)	101			31.0 (W3306004A)	30.7 (DUP)	0.843
Sulfate (SO4)	101	105 (W3306004A)	105 (W3306004A)			0.024
Total Dissolved Solids (TDS)	99.0			140 (T3310046G)	135 (Dup)	3.64

The warranty of Denele Analytical is limited to the accuracy of the analyses of the samples as received. Denele Analytical assumes no responsibility for which the customer uses our test results, nor liability for any other warranties, express or implied. These terms and conditions shall supercede any conflicting terms and conditions submitted on customer purchase orders or other forms submitted for work.

Denele Analytical, Inc.

865 South Kilroy Avenue Turlock, CA 95380
Phone (209) 634-9055 - Fax (209) 634-9057

www.denelelabs.com

40 N. East Street, Woodland, CA 95776
Phone (530) 666-9056 - Fax (530) 666-9058

Compliance Analysis Report

Customer
Judith Pond Property
PO Box 47
Wilton, CA 95693

Grower

Consultant:
Jacquie Captein
P.O. Box 386
Herald, CA 95638

PURCHASE ORDER:
RECEIVED DATE: 11/3/23 1:00 PM
SUBMITTED BY: Jacquie
ANALYZED DATE: 11/3/23

Irrigation/ Ground Water (H1)
SOURCE: Irrigation Water

NOTES: Temperature was above qualifying at 16.0c

Sample ID	Lab ID	Analyte	Method Ref	Result	Units
Ag Well #1	T3307005B	Electrical Conductivity (EC)	EPA 120.1 and	0.116	mmhos/cm
		Nitrate Nitrogen (NO3-N)	EPA 353.2	0.187	mg/L
		Ammonia Nitrogen (NH3-N)	SM 4500-NH3 D,C	< 0.500	mg/L
		Soluble Salts (SALT-SOL)	Calculation	74.0	mg/L

Laboratory Quality Control	LCS %	MS %	MSD %	RPD %
Ammonia Nitrogen (NH3-N)	95.6	97.6 (T3306002A)	95.2 (T3306002A)	2.48
Electrical Conductivity (EC)	98.0			0.943
Nitrate Nitrogen (NO3-N)	99.3	103 (T3306005A)	101 (T3306005A)	2.39

The warranty of Denele Analytical is limited to the accuracy of the analyses of the samples as received. Denele Analytical assumes no responsibility for which the customer uses our test results, nor liability for any other warranties, express or implied. These terms and conditions shall supercede any conflicting terms and conditions submitted on customer purchase orders or other forms submitted for work.

Denele Analytical, Inc.

865 South Kilroy Avenue Turlock, CA 95380
Phone (209) 634-9055 - Fax (209) 634-9057

www.denelelabs.com

40 N. East Street, Woodland, CA 95776
Phone (530) 666-9056 - Fax (530) 666-9058

Compliance Analysis Report

Customer
Judith Pond Property
PO Box 47
Wilton, CA 95693

Grower

Consultant:
Jacquie Captein
P.O. Box 386
Herald, CA 95638

PURCHASE ORDER:
RECEIVED DATE: 11/3/23 1:00 PM
SUBMITTED BY: Jacquie
ANALYZED DATE: 11/3/23

Irrigation/ Ground Water (H1)
SOURCE: Irrigation Water

NOTES: Temperature was above qualifying at 15.8c

Sample ID	Lab ID	Analyte	Method Ref	Result	Units
Ag Well #2	T3307005C	Electrical Conductivity (EC)	EPA 120.1 and	0.116	mmhos/cm
		Nitrate Nitrogen (NO3-N)	EPA 353.2	0.208	mg/L
		Ammonia Nitrogen (NH3-N)	SM 4500-NH3 D,C	< 0.500	mg/L
		Soluble Salts (SALT-SOL)	Calculation	74.3	mg/L

Laboratory Quality Control	LCS %	MS %	MSD %	RPD %
Ammonia Nitrogen (NH3-N)	95.6	97.6 (T3306002A)	95.2 (T3306002A)	2.48
Electrical Conductivity (EC)	98.0			0.943
Nitrate Nitrogen (NO3-N)	99.3	103 (T3306005A)	101 (T3306005A)	2.39

The warranty of Denele Analytical is limited to the accuracy of the analyses of the samples as received. Denele Analytical assumes no responsibility for which the customer uses our test results, nor liability for any other warranties, express or implied. These terms and conditions shall supercede any conflicting terms and conditions submitted on customer purchase orders or other forms submitted for work.

ELAP Certificate No.: 2714

Denele Analytical, Inc.

865 South Kilroy Avenue Turlock, CA 95380
Phone (209) 634-9055 - Fax (209) 634-9057

www.denelelabs.com

40 N. East Street, Woodland, CA 95776
Phone (530) 666-9056 - Fax (530) 666-9058

Compliance Analysis Report

Customer
Judith Pond Property
PO Box 47
Wilton, CA 95693

Grower

Consultant:
Jacquie Captein
P.O. Box 386
Herald, CA 95638

PURCHASE ORDER:
RECEIVED DATE: 11/3/23 1:00 PM
SUBMITTED BY: Jacquie
ANALYZED DATE: 11/3/23

Irrigation/ Ground Water (H1)
SOURCE: Irrigation Water

NOTES: Temperature was above qualifying at 15.0c

Sample ID	Lab ID	Analyte	Method Ref	Result	Units
Pasture Well	T3307005D	Electrical Conductivity (EC)	EPA 120.1 and	0.195	mmhos/cm
		Nitrate Nitrogen (NO3-N)	EPA 353.2	0.497	mg/L
		Ammonia Nitrogen (NH3-N)	SM 4500-NH3 D,C	< 0.500	mg/L
		Soluble Salts (SALT-SOL)	Calculation	124	mg/L

Laboratory Quality Control	LCS %	MS %	MSD %	RPD %
Ammonia Nitrogen (NH3-N)	95.6	97.6 (T3306002A)	95.2 (T3306002A)	2.48
Electrical Conductivity (EC)	98.0			0.943
Nitrate Nitrogen (NO3-N)	99.3	103 (T3306005A)	101 (T3306005A)	2.39

The warranty of Denele Analytical is limited to the accuracy of the analyses of the samples as received. Denele Analytical assumes no responsibility for which the customer uses our test results, nor liability for any other warranties, express or implied. These terms and conditions shall supercede any conflicting terms and conditions submitted on customer purchase orders or other forms submitted for work.

Denele Analytical, Inc.

865 South Kilroy Avenue Turlock, CA 95380
Phone (209) 634-9055 - Fax (209) 634-9057

www.denelelabs.com

40 N. East Street, Woodland, CA 95776
Phone (530) 666-9056 - Fax (530) 666-9058

Compliance Analysis Report

Customer
Judith Pond Property
PO Box 47
Wilton, CA 95693

Grower

Consultant:
Jacquie Captein
P.O. Box 386
Herald, CA 95638

PURCHASE ORDER:
RECEIVED DATE: 11/3/23 1:00 PM
SUBMITTED BY: Jacquie
ANALYZED DATE: 11/3/23

Irrigation/ Ground Water (H1)
SOURCE: Well Water

NOTES: Temperature was above qualifying at 18.0c

Sample ID	Lab ID	Analyte	Method Ref	Result	Units
Modular Well	T3307005E	Electrical Conductivity (EC)	EPA 120.1 and	0.193	mmhos/cm
		Nitrate Nitrogen (NO3-N)	EPA 353.2	0.463	mg/L
		Ammonia Nitrogen (NH3-N)	SM 4500-NH3 D,C	< 0.500	mg/L
		Soluble Salts (SALT-SOL)	Calculation	124	mg/L

Laboratory Quality Control	LCS %	MS %	MSD %	RPD %
Ammonia Nitrogen (NH3-N)	95.6	97.6 (T3306002A)	95.2 (T3306002A)	2.48
Electrical Conductivity (EC)	98.0			0.943
Nitrate Nitrogen (NO3-N)	99.3	103 (T3306005A)	101 (T3306005A)	2.39

The warranty of Denele Analytical is limited to the accuracy of the analyses of the samples as received. Denele Analytical assumes no responsibility for which the customer uses our test results, nor liability for any other warranties, express or implied. These terms and conditions shall supercede any conflicting terms and conditions submitted on customer purchase orders or other forms submitted for work.