Annual Report - General Order No. R5-2007-0035
Reporting period 01/01/2023 to 12/31/2023.

DAIRY FACILITY INFORMATION

A. NAME OF DAIRY OR BUSINESS OPERATING THE DAIRY: E.R. Prins Dairy #1

Physical address of dairy:

Number and Street	City	County	Zip Code
10385 Van Allen RD	Stockton	San Joaquin	95215

Street and nearest cross street (if no address):

Date facility was originally placed in operation: 01/01/1985

Regional Water Quality Control Board Basin Plan designation: San Joaquin River Basin

County Assessor Parcel Number(s) for dairy facility:

X205-X160-XX07-XXXX

B. OPERATORS

Prins, Ed

Operator name: Prins, Ed

Telephone no.: (209) 838-1627 (Landline) (Cellular)

Mailing Address Number and Street	City	State	Zip Code
10385 Van Allen RD	Stockton	CA	95215

Prins, Ron

Operator name: Prins, Ron

Telephone no.: (209) 838-1627 (Landline) (Cellular)

Mailing Address Number and Street	City	State	Zip Code
10385 Van Allen RD	Stockton	CA	95215

This operator is responsible for paying permit fees.

C. OWNERS

Prins, Ed

Legal owner name: Prins, Ed

Telephone no.: (209) 838-1627 (Landline) (Cellular)

Mailing Address Number and Street	City	State	Zip Code
10385 Van Allen RD	Stockton	CA	95215

Prins, Ron

Legal owner name: Prins, Ron

Telephone no.: (209) 838-1627

Landline	Cellular

Mailing Address Number and Street	City	State	Zip Code
10385 Van Allen RD	Stockton	CA	95215

This owner is responsible for paying permit fees.

AVAILABLE NUTRIENTS

A. HERD INFORMATION

	Milk Cows	Dry Cows	Bred Heifers (15-24 mo.)	Heifers (7-14 mo. to breeding)	Calves (4-6 mo.)	Calves (0-3 mo.)
Number open confinement	0	0	0	30	46	96
Number under roof	650	100	0	0	0	0
Maximum number	680	125	0	30	46	96
Average number	650	100	0	30	46	96
Avg live weight (lbs)	1,400	1,450	0	700		

Predominant milk cow breed: Holstein

Average milk production: 78 *pounds per cow per day*

B. MANURE GENERATED

Total manure excreted by the herd: 19,524.96 *tons per reporting period*

Total nitrogen from manure: 254,329.46 *lbs per reporting period*

After ammonia losses (30% loss applied): 178,030.62 *lbs per reporting period*

Total phosphorus from manure: 41,776.66 *lbs per reporting period*

Total potassium from manure: 127,897.40 *lbs per reporting period*

Total salt from manure: 329,047.50 *lbs per reporting period*

C. PROCESS WASTEWATER GENERATED

Process wastewater generated: 24,025,500 *gallons*

Total nitrogen generated: 74,990.01 *lbs*

Total phosphorus generated: 9,339.75 *lbs*

Total potassium generated: 103,284.47 *lbs*

Total salt generated: 720,989.22 *lbs*

	24,025,500	*gallons applied*
+	0	*gallons exported*
-	0	*gallons imported*
=	24,025,500	*gallons generated*

D. FRESH WATER SOURCES

Source Description	Type
IW 1	Ground water
IW 3	Ground water
IW 4	Ground water
IW Carter North	Ground water
IW Carter South	Ground water

E. SUBSURFACE (TILE) DRAINAGE SOURCES

No subsurface (tile) drainage sources entered.

F. NUTRIENT IMPORTS

Date	Material type / Description	Quantity	Reporting basis	Moist. (%)	N (mg/kg)	P (mg/kg)	K (mg/kg)	Salt (mg/kg)	TFS (%)
01/01/2023	Corral solids *Corral Manure from Prins Heifer Facility*	300.00 *ton*	Dry-weight	23.2	27,400.00	8,440.00	44,200.00		32.90

No process wastewater nutrient imports entered.

Date	Material type / Description	Quantity	Reporting basis	Moisture (%)	N (%)	P (%)	K (%)	Salt (%)
07/01/2023	Solid commercial fertilizer *4-0-0*	2.70 *ton*	Dry-weight	0.1	4.000000	0.000000	0.000000	0.000000
07/20/2023	Solid commercial fertilizer *UN 32*	3.90 *ton*	Dry-weight	0.1	32.000000	0.000000	0.000000	0.000000

Material type	Total N (lbs)	Total P (lbs)	Total K (lbs)	Total salt (lbs)
Commercial fertilizer / Other	2,709.29	0.00	0.00	0.00
Dry manure	12,625.92	3,889.15	20,367.36	151,603.20
Process wastewater	0.00	0.00	0.00	0.00
Total imports for all materials	15,335.21	3,889.15	20,367.36	151,603.20

G. NUTRIENT EXPORTS

No solid nutrient exports entered.

No liquid nutrient exports entered.

APPLICATION AREA

A. LIST OF LAND APPLICATION AREAS

Field name	Controlled acres	Cropable acres	Total harvests	Type of waste applied	Parcel number
1	31	31	2	process wastewater	X205-X160-XX07-XXXX
2	26	26	2	process wastewater	X205-X160-XX08-XXXX
3	34	34	1	process wastewater	X205-X160-XX08-XXXX
4	60	60	2	process wastewater	X205-X160-XX08-XXXX
5	40	40	2	both	X205-X160-XX08-XXXX
6	28	28	2	process wastewater	X205-X160-XX08-XXXX
Field 10 (a)	51	51	2	manure	X002-X001-X074-XXXX
Field 10 (b)	38	38	2	manure	X002-X001-X074-XXXX
Field 11	150	150	1	manure	X002-X001-X074-XXXX
Totals for areas that were used for application	458	458	16		
Totals for areas that were not used for application					
Land application area totals	458	458	16		

B. CROPS AND HARVESTS

1

Field name: 1

10/29/2022: Oats, silage-soft dough

Crop: Oats, silage-soft dough Acres planted: 31 Plant date: 10/29/2022

Harvest date	Yield	Reporting basis	Density (lbs/cu ft)	Moisture (%)	N (mg/kg)	P (mg/kg)	K (mg/kg)	Salt (mg/kg)	TFS (%)
05/05/2023	569.40 *ton*	As-is		69.8	3,500.00	1,030.00	13,100.00		9.12

	Yield (tons/acre)	Total N (lbs/acre)	Total P (lbs/acre)	Total K (lbs/acre)	Salt (lbs/acre)
Anticipated harvest content	16.00	160.00	25.60	132.80	0.00
Total actual harvest content	18.37	128.57	37.84	481.23	1,011.78

1

06/09/2023: Corn, silage

Crop: Corn, silage Acres planted: 31 Plant date: 06/09/2023

Harvest date	Yield	Reporting basis	Density (lbs/cu ft)	Moisture (%)	N (mg/kg)	P (mg/kg)	K (mg/kg)	Salt (mg/kg)	TFS (%)
10/04/2023	744.60 *ton*	As-is		59.6	4,690.00	900.00	7,600.00		8.50

	Yield (tons/acre)	Total N (lbs/acre)	Total P (lbs/acre)	Total K (lbs/acre)	Salt (lbs/acre)
Anticipated harvest content	30.00	240.00	45.00	198.00	0.00
Total actual harvest content	24.02	225.30	43.23	365.09	1,649.65

2

Field name: 2

10/29/2022: Oats, silage-soft dough

Crop: Oats, silage-soft dough Acres planted: 26 Plant date: 10/29/2022

Harvest date	Yield	Reporting basis	Density (lbs/cu ft)	Moisture (%)	N (mg/kg)	P (mg/kg)	K (mg/kg)	Salt (mg/kg)	TFS (%)
05/05/2023	504.00 *ton*	As-is		74.0	4,340.00	1,140.00	13,200.00		10.30

	Yield (tons/acre)	Total N (lbs/acre)	Total P (lbs/acre)	Total K (lbs/acre)	Salt (lbs/acre)
Anticipated harvest content	16.00	160.00	25.60	132.80	0.00
Total actual harvest content	19.38	168.26	44.20	511.75	1,038.24

06/05/2023: Corn, silage

Crop: Corn, silage Acres planted: 26 Plant date: 06/05/2023

Harvest date	Yield	Reporting basis	Density (lbs/cu ft)	Moisture (%)	N (mg/kg)	P (mg/kg)	K (mg/kg)	Salt (mg/kg)	TFS (%)
09/28/2023	808.60 *ton*	As-is		71.6	3,350.00	1,030.00	4,840.00		3.30

	Yield (tons/acre)	Total N (lbs/acre)	Total P (lbs/acre)	Total K (lbs/acre)	Salt (lbs/acre)
Anticipated harvest content	30.00	240.00	45.00	198.00	0.00
Total actual harvest content	31.10	208.37	64.07	301.05	582.94

3

Field name: 3

10/14/2020: Alfalfa, hay

Crop: Alfalfa, hay Acres planted: 34 Plant date: 10/14/2020

Harvest date	Yield	Reporting basis	Density (lbs/cu ft)	Moisture (%)	N (mg/kg)	P (mg/kg)	K (mg/kg)	Salt (mg/kg)	TFS (%)
10/20/2023	261.80 *ton*	As-is		10.6	23,800.00	3,650.00	37,300.00		10.50

	Yield (tons/acre)	Total N (lbs/acre)	Total P (lbs/acre)	Total K (lbs/acre)	Salt (lbs/acre)
Anticipated harvest content	8.00	480.00	43.20	336.00	0.00
Total actual harvest content	7.70	366.52	56.21	574.42	1,445.60

4

Field name: 4

10/31/2022: Oats, silage-soft dough

Crop: Oats, silage-soft dough Acres planted: 60 Plant date: 10/31/2022

Harvest date	Yield	Reporting basis	Density (lbs/cu ft)	Moisture (%)	N (mg/kg)	P (mg/kg)	K (mg/kg)	Salt (mg/kg)	TFS (%)
05/05/2023	1,173.40 *ton*	As-is		71.0	2,840.00	780.00	10,500.00		10.50

	Yield (tons/acre)	Total N (lbs/acre)	Total P (lbs/acre)	Total K (lbs/acre)	Salt (lbs/acre)
Anticipated harvest content	16.00	160.00	25.60	132.80	0.00
Total actual harvest content	19.56	111.08	30.51	410.69	1,191.00

06/07/2023: Corn, silage

Crop: Corn, silage Acres planted: 60 Plant date: 06/07/2023

Harvest date	Yield	Reporting basis	Density (lbs/cu ft)	Moisture (%)	N (mg/kg)	P (mg/kg)	K (mg/kg)	Salt (mg/kg)	TFS (%)
09/28/2023	1,885.30 *ton*	As-is		69.2	3,170.00	1,280.00	5,370.00		5.20

	Yield (tons/acre)	Total N (lbs/acre)	Total P (lbs/acre)	Total K (lbs/acre)	Salt (lbs/acre)
Anticipated harvest content	30.00	240.00	45.00	198.00	0.00
Total actual harvest content	31.42	199.21	80.44	337.47	1,006.50

5

Field name: 5

10/30/2022: Oats, silage-soft dough

Crop: Oats, silage-soft dough Acres planted: 40 Plant date: 10/30/2022

Harvest date	Yield	Reporting basis	Density (lbs/cu ft)	Moisture (%)	N (mg/kg)	P (mg/kg)	K (mg/kg)	Salt (mg/kg)	TFS (%)
05/05/2023	752.30 *ton*	As-is		72.6	4,690.00	1,180.00	14,700.00		8.99

	Yield (tons/acre)	Total N (lbs/acre)	Total P (lbs/acre)	Total K (lbs/acre)	Salt (lbs/acre)
Anticipated harvest content	16.00	160.00	25.60	132.80	0.00
Total actual harvest content	18.81	176.41	44.39	552.94	926.56

06/05/2023: Corn, silage

Crop: Corn, silage Acres planted: 40 Plant date: 06/05/2023

Harvest date	Yield	Reporting basis	Density (lbs/cu ft)	Moisture (%)	N (mg/kg)	P (mg/kg)	K (mg/kg)	Salt (mg/kg)	TFS (%)
09/28/2023	1,301.30 *ton*	As-is		74.8	2,870.00	820.00	4,920.00		4.40

	Yield (tons/acre)	Total N (lbs/acre)	Total P (lbs/acre)	Total K (lbs/acre)	Salt (lbs/acre)
Anticipated harvest content	30.00	240.00	45.00	198.00	0.00
Total actual harvest content	32.53	186.74	53.35	320.12	721.44

6

Field name: 6

10/30/2022: Oats, silage-soft dough

Crop: Oats, silage-soft dough Acres planted: 28 Plant date: 10/30/2022

Harvest date	Yield	Reporting basis	Density (lbs/cu ft)	Moisture (%)	N (mg/kg)	P (mg/kg)	K (mg/kg)	Salt (mg/kg)	TFS (%)
05/06/2023	505.20 *ton*	As-is		73.8	5,420.00	1,390.00	14,900.00		11.30

	Yield (tons/acre)	Total N (lbs/acre)	Total P (lbs/acre)	Total K (lbs/acre)	Salt (lbs/acre)
Anticipated harvest content	16.00	160.00	25.60	132.80	0.00
Total actual harvest content	18.04	195.58	50.16	537.68	1,068.35

6

06/06/2023: Corn, silage

Crop: Corn, silage Acres planted: 28 Plant date: 06/06/2023

Harvest date	Yield	Reporting basis	Density (lbs/cu ft)	Moisture (%)	N (mg/kg)	P (mg/kg)	K (mg/kg)	Salt (mg/kg)	TFS (%)
09/29/2023	828.80 *ton*	As-is		70.4	3,700.00	1,120.00	4,320.00		3.70

	Yield (tons/acre)	Total N (lbs/acre)	Total P (lbs/acre)	Total K (lbs/acre)	Salt (lbs/acre)
Anticipated harvest content	30.00	240.00	45.00	198.00	0.00
Total actual harvest content	29.60	219.04	66.30	255.74	648.36

Field 10 (a)

Field name: Field 10 (a)

07/01/2022: Sudangrass, silage

Crop: Sudangrass, silage Acres planted: 51 Plant date: 07/01/2022

Harvest date	Yield	Reporting basis	Density (lbs/cu ft)	Moisture (%)	N (mg/kg)	P (mg/kg)	K (mg/kg)	Salt (mg/kg)	TFS (%)
09/20/2023	1,178.10 *ton*	As-is		78.6	3,380.00	1,040.00	4,980.00		14.70

	Yield (tons/acre)	Total N (lbs/acre)	Total P (lbs/acre)	Total K (lbs/acre)	Salt (lbs/acre)
Anticipated harvest content	20.00	220.00	34.00	240.00	0.00
Total actual harvest content	23.10	156.16	48.05	230.08	1,453.36

11/01/2022: Oats, silage-soft dough

Crop: Oats, silage-soft dough Acres planted: 51 Plant date: 11/01/2022

Harvest date	Yield	Reporting basis	Density (lbs/cu ft)	Moisture (%)	N (mg/kg)	P (mg/kg)	K (mg/kg)	Salt (mg/kg)	TFS (%)
05/10/2023	907.80 *ton*	As-is		68.5	2,360.00	560.00	4,850.00		6.79

	Yield (tons/acre)	Total N (lbs/acre)	Total P (lbs/acre)	Total K (lbs/acre)	Salt (lbs/acre)
Anticipated harvest content	16.00	160.00	25.60	132.80	0.00
Total actual harvest content	17.80	84.02	19.94	172.66	761.43

Field 10 (b)

Field name: Field 10 (b)

11/01/2022: Oats, silage-soft dough

Crop: Oats, silage-soft dough Acres planted: 38 Plant date: 11/01/2022

Harvest date	Yield	Reporting basis	Density (lbs/cu ft)	Moisture (%)	N (mg/kg)	P (mg/kg)	K (mg/kg)	Salt (mg/kg)	TFS (%)
05/10/2023	676.40 *ton*	As-is		68.5	2,360.00	560.00	4,850.00		6.79

	Yield (tons/acre)	Total N (lbs/acre)	Total P (lbs/acre)	Total K (lbs/acre)	Salt (lbs/acre)
Anticipated harvest content	16.00	160.00	25.60	132.80	0.00
Total actual harvest content	17.80	84.02	19.94	172.66	761.43

07/01/2023: Corn, silage

Crop: Corn, silage Acres planted: 27 Plant date: 07/01/2023

Harvest date	Yield	Reporting basis	Density (lbs/cu ft)	Moisture (%)	N (mg/kg)	P (mg/kg)	K (mg/kg)	Salt (mg/kg)	TFS (%)
10/20/2023	740.40 *ton*	As-is		70.4	3,700.00	1,120.00	4,320.00		3.70

	Yield (tons/acre)	Total N (lbs/acre)	Total P (lbs/acre)	Total K (lbs/acre)	Salt (lbs/acre)
Anticipated harvest content	28.00	224.00	42.00	184.80	0.00
Total actual harvest content	27.42	202.92	61.43	236.93	600.66

Field 11

Field name: Field 11

01/01/2023: Pasture

Crop: Pasture Acres planted: 150 Plant date: 01/01/2023

Harvest date	Yield	Reporting basis	Density (lbs/cu ft)	Moisture (%)	N (mg/kg)	P (mg/kg)	K (mg/kg)	Salt (mg/kg)	TFS (%)
10/31/2023	2,250.00 *ton*	As-is		70.0	3,540.00	540.00	7,300.00		9.51

	Yield (tons/acre)	Total N (lbs/acre)	Total P (lbs/acre)	Total K (lbs/acre)	Salt (lbs/acre)
Anticipated harvest content	15.00	276.00	39.00	283.50	0.00
Total actual harvest content	15.00	106.20	16.20	219.00	855.90

NUTRIENT BUDGET

A. LAND APPLICATIONS

1 - 10/29/2022: Oats, silage-soft dough

Field name: 1

Crop: Oats, silage-soft dough Plant date: 10/29/2022

Application date	Application method	Precipitation 24 hours prior	Precipitation during application	Precipitation 24 hours following
02/11/2023	Surface (irrigation)	No precipitation	No precipitation	No precipitation

Source description	Material type	N (lbs/acre)	P (lbs/acre)	K (lbs/acre)	Salt (lbs/acre)	Amount
WWS	Process wastewater	158.04	29.50	270.05	1,987.05	1,425,000.00 *gal*
Application event totals		158.04	29.50	270.05	1,987.05	

1 - 06/09/2023: Corn, silage

Field name: 1

Crop: Corn, silage Plant date: 06/09/2023

Application date	Application method	Precipitation 24 hours prior	Precipitation during application	Precipitation 24 hours following
05/19/2023	Surface (irrigation)	No precipitation	No precipitation	No precipitation

Source description	Material type	N (lbs/acre)	P (lbs/acre)	K (lbs/acre)	Salt (lbs/acre)	Amount
IW 1	Ground water	3.13	0.00	0.00	296.26	4,350,000.00 *gal*
Application event totals		3.13	0.00	0.00	296.26	

Application date	Application method	Precipitation 24 hours prior	Precipitation during application	Precipitation 24 hours following
07/08/2023	Surface (irrigation)	No precipitation	No precipitation	No precipitation

Source description	Material type	N (lbs/acre)	P (lbs/acre)	K (lbs/acre)	Salt (lbs/acre)	Amount
IW 1	Ground water	2.91	0.00	0.00	275.83	4,050,000.00 *gal*
Application event totals		2.91	0.00	0.00	275.83	

Application date	Application method	Precipitation 24 hours prior	Precipitation during application	Precipitation 24 hours following
07/18/2023	Surface (irrigation)	No precipitation	No precipitation	No precipitation

Source description	Material type	N (lbs/acre)	P (lbs/acre)	K (lbs/acre)	Salt (lbs/acre)	Amount
WWS	Process wastewater	131.65	15.24	187.81	1,067.94	1,710,000.00 *gal*
IW 1	Ground water	1.62	0.00	0.00	153.24	2,250,000.00 *gal*
Application event totals		133.27	15.24	187.81	1,221.18	

1 - 06/09/2023: Corn, silage

Application date	Application method	Precipitation 24 hours prior	Precipitation during application	Precipitation 24 hours following
07/28/2023	Surface (irrigation)	No precipitation	No precipitation	No precipitation

Source description	Material type	N (lbs/acre)	P (lbs/acre)	K (lbs/acre)	Salt (lbs/acre)	Amount
WWS	Process wastewater	131.65	15.24	187.81	1,067.94	1,710,000.00 *gal*
IW 1	Ground water	1.62	0.00	0.00	153.24	2,250,000.00 *gal*
Application event totals		133.27	15.24	187.81	1,221.18	

Application date	Application method	Precipitation 24 hours prior	Precipitation during application	Precipitation 24 hours following
08/09/2023	Surface (irrigation)	No precipitation	No precipitation	No precipitation

Source description	Material type	N (lbs/acre)	P (lbs/acre)	K (lbs/acre)	Salt (lbs/acre)	Amount
IW 1	Ground water	2.86	0.00	0.00	270.72	3,975,000.00 *gal*
Application event totals		2.86	0.00	0.00	270.72	

Application date	Application method	Precipitation 24 hours prior	Precipitation during application	Precipitation 24 hours following
08/22/2023	Surface (irrigation)	No precipitation	No precipitation	No precipitation

Source description	Material type	N (lbs/acre)	P (lbs/acre)	K (lbs/acre)	Salt (lbs/acre)	Amount
IW 1	Ground water	2.80	0.00	0.00	265.61	3,900,000.00 *gal*
Application event totals		2.80	0.00	0.00	265.61	

Application date	Application method	Precipitation 24 hours prior	Precipitation during application	Precipitation 24 hours following
09/06/2023	Surface (irrigation)	No precipitation	No precipitation	No precipitation

Source description	Material type	N (lbs/acre)	P (lbs/acre)	K (lbs/acre)	Salt (lbs/acre)	Amount
IW 1	Ground water	2.70	0.00	0.00	255.40	3,750,000.00 *gal*
Application event totals		2.70	0.00	0.00	255.40	

2 - 10/29/2022: Oats, silage-soft dough

Field name: 2

Crop: Oats, silage-soft dough

Plant date: 10/29/2022

Application date	Application method	Precipitation 24 hours prior	Precipitation during application	Precipitation 24 hours following
02/08/2023	Surface (irrigation)	No precipitation	No precipitation	No precipitation

Source description	Material type	N (lbs/acre)	P (lbs/acre)	K (lbs/acre)	Salt (lbs/acre)	Amount
WWS	Process wastewater	90.45	16.88	154.55	1,137.21	684,000.00 *gal*
Application event totals		90.45	16.88	154.55	1,137.21	

2 - 10/29/2022: Oats, silage-soft dough

Application date	Application method	Precipitation 24 hours prior	Precipitation during application	Precipitation 24 hours following
03/02/2023	Surface (irrigation)	No precipitation	No precipitation	No precipitation

Source description	Material type	N (lbs/acre)	P (lbs/acre)	K (lbs/acre)	Salt (lbs/acre)	Amount
WWS	Process wastewater	97.99	18.29	167.43	1,231.97	741,000.00 *gal*
Application event totals		97.99	18.29	167.43	1,231.97	

2 - 06/05/2023: Corn, silage

Field name: 2

Crop: Corn, silage

Plant date: 06/05/2023

Application date	Application method	Precipitation 24 hours prior	Precipitation during application	Precipitation 24 hours following
05/15/2023	Surface (irrigation)	No precipitation	No precipitation	No precipitation

Source description	Material type	N (lbs/acre)	P (lbs/acre)	K (lbs/acre)	Salt (lbs/acre)	Amount
WWS	Process wastewater	151.63	10.22	144.60	1,246.97	912,000.00 *gal*
IW 3	Ground water	4.24	0.00	0.00	116.70	1,200,000.00 *gal*
IW 1	Ground water	1.03	0.00	0.00	97.44	1,200,000.00 *gal*
Application event totals		156.89	10.22	144.60	1,461.12	

07/03/2023	Surface (irrigation)	No precipitation	No precipitation	No precipitation

Source description	Material type	N (lbs/acre)	P (lbs/acre)	K (lbs/acre)	Salt (lbs/acre)	Amount
IW 3	Ground water	6.09	0.00	0.00	167.76	1,725,000.00 *gal*
IW 1	Ground water	1.48	0.00	0.00	140.08	1,725,000.00 *gal*
Application event totals		7.57	0.00	0.00	307.83	

07/13/2023	Surface (irrigation)	No precipitation	No precipitation	No precipitation

Source description	Material type	N (lbs/acre)	P (lbs/acre)	K (lbs/acre)	Salt (lbs/acre)	Amount
WWS	Process wastewater	78.48	9.08	111.96	636.66	855,000.00 *gal*
IW 3	Ground water	3.97	0.00	0.00	109.41	1,125,000.00 *gal*
IW 1	Ground water	0.96	0.00	0.00	91.35	1,125,000.00 *gal*
Application event totals		83.42	9.08	111.96	837.42	

2 - 06/05/2023: Corn, silage

Application date	Application method	Precipitation 24 hours prior	Precipitation during application	Precipitation 24 hours following
07/23/2023	Surface (irrigation)	No precipitation	No precipitation	No precipitation

Source description	Material type	N (lbs/acre)	P (lbs/acre)	K (lbs/acre)	Salt (lbs/acre)	Amount
IW 3	Ground water	6.09	0.00	0.00	167.76	1,725,000.00 *gal*
IW 1	Ground water	1.48	0.00	0.00	140.08	1,725,000.00 *gal*
Application event totals		7.57	0.00	0.00	307.83	

Application date	Application method	Precipitation 24 hours prior	Precipitation during application	Precipitation 24 hours following
08/04/2023	Surface (irrigation)	No precipitation	No precipitation	No precipitation

Source description	Material type	N (lbs/acre)	P (lbs/acre)	K (lbs/acre)	Salt (lbs/acre)	Amount
IW 3	Ground water	5.83	0.00	0.00	160.46	1,650,000.00 *gal*
IW 1	Ground water	1.41	0.00	0.00	133.99	1,650,000.00 *gal*
Application event totals		7.24	0.00	0.00	294.45	

Application date	Application method	Precipitation 24 hours prior	Precipitation during application	Precipitation 24 hours following
08/17/2023	Surface (irrigation)	No precipitation	No precipitation	No precipitation

Source description	Material type	N (lbs/acre)	P (lbs/acre)	K (lbs/acre)	Salt (lbs/acre)	Amount
IW 3	Ground water	5.56	0.00	0.00	153.17	1,575,000.00 *gal*
IW 1	Ground water	1.35	0.00	0.00	127.90	1,575,000.00 *gal*
Application event totals		6.91	0.00	0.00	281.07	

Application date	Application method	Precipitation 24 hours prior	Precipitation during application	Precipitation 24 hours following
09/01/2023	Surface (irrigation)	No precipitation	No precipitation	No precipitation

Source description	Material type	N (lbs/acre)	P (lbs/acre)	K (lbs/acre)	Salt (lbs/acre)	Amount
IW 3	Ground water	5.56	0.00	0.00	153.17	1,575,000.00 *gal*
IW 1	Ground water	1.35	0.00	0.00	127.90	1,575,000.00 *gal*
Application event totals		6.91	0.00	0.00	281.07	

3 - 10/14/2020: Alfalfa, hay

Field name: 3

Crop: Alfalfa, hay

Plant date: 10/14/2020

Application date	Application method	Precipitation 24 hours prior	Precipitation during application	Precipitation 24 hours following

3 - 10/14/2020: Alfalfa, hay

Application date	Application method	Precipitation 24 hours prior	Precipitation during application	Precipitation 24 hours following
05/16/2023	Surface (irrigation)	No precipitation	No precipitation	No precipitation

Source description	Material type	N (lbs/acre)	P (lbs/acre)	K (lbs/acre)	Salt (lbs/acre)	Amount
IW 4	Ground water	5.06	0.00	0.00	242.99	4,125,000.00 *gal*
Application event totals		5.06	0.00	0.00	242.99	

Application date	Application method	Precipitation 24 hours prior	Precipitation during application	Precipitation 24 hours following
06/12/2023	Surface (irrigation)	No precipitation	No precipitation	No precipitation

Source description	Material type	N (lbs/acre)	P (lbs/acre)	K (lbs/acre)	Salt (lbs/acre)	Amount
IW 4	Ground water	5.06	0.00	0.00	242.99	4,125,000.00 *gal*
Application event totals		5.06	0.00	0.00	242.99	

Application date	Application method	Precipitation 24 hours prior	Precipitation during application	Precipitation 24 hours following
07/07/2023	Surface (irrigation)	No precipitation	No precipitation	No precipitation

Source description	Material type	N (lbs/acre)	P (lbs/acre)	K (lbs/acre)	Salt (lbs/acre)	Amount
IW 4	Ground water	5.15	0.00	0.00	247.40	4,200,000.00 *gal*
Application event totals		5.15	0.00	0.00	247.40	

Application date	Application method	Precipitation 24 hours prior	Precipitation during application	Precipitation 24 hours following
07/21/2023	Surface (irrigation)	No precipitation	No precipitation	No precipitation

Source description	Material type	N (lbs/acre)	P (lbs/acre)	K (lbs/acre)	Salt (lbs/acre)	Amount
IW 4	Ground water	4.97	0.00	0.00	238.57	4,050,000.00 *gal*
Application event totals		4.97	0.00	0.00	238.57	

Application date	Application method	Precipitation 24 hours prior	Precipitation during application	Precipitation 24 hours following
08/04/2023	Surface (irrigation)	No precipitation	No precipitation	No precipitation

Source description	Material type	N (lbs/acre)	P (lbs/acre)	K (lbs/acre)	Salt (lbs/acre)	Amount
IW 4	Ground water	4.97	0.00	0.00	238.57	4,050,000.00 *gal*
Application event totals		4.97	0.00	0.00	238.57	

Application date	Application method	Precipitation 24 hours prior	Precipitation during application	Precipitation 24 hours following
08/18/2023	Surface (irrigation)	No precipitation	No precipitation	No precipitation

Source description	Material type	N (lbs/acre)	P (lbs/acre)	K (lbs/acre)	Salt (lbs/acre)	Amount
WWS	Process wastewater	128.04	14.82	182.66	1,038.63	1,824,000.00 *gal*
IW 4	Ground water	2.95	0.00	0.00	141.37	2,400,000.00 *gal*
Application event totals		130.98	14.82	182.66	1,180.00	

3 - 10/14/2020: Alfalfa, hay

Application date	Application method	Precipitation 24 hours prior	Precipitation during application	Precipitation 24 hours following
09/01/2023	Surface (irrigation)	No precipitation	No precipitation	No precipitation

Source description	Material type	N (lbs/acre)	P (lbs/acre)	K (lbs/acre)	Salt (lbs/acre)	Amount
IW 4	Ground water	4.97	0.00	0.00	238.57	4,050,000.00 *gal*
Application event totals		4.97	0.00	0.00	238.57	

Application date	Application method	Precipitation 24 hours prior	Precipitation during application	Precipitation 24 hours following
09/29/2023	Surface (irrigation)	No precipitation	No precipitation	No precipitation

Source description	Material type	N (lbs/acre)	P (lbs/acre)	K (lbs/acre)	Salt (lbs/acre)	Amount
WWS	Process wastewater	120.04	13.89	171.24	973.71	1,710,000.00 *gal*
IW 4	Ground water	2.76	0.00	0.00	132.54	2,250,000.00 *gal*
Application event totals		122.80	13.89	171.24	1,106.25	

4 - 10/31/2022: Oats, silage-soft dough

Field name: 4

Crop: Oats, silage-soft dough Plant date: 10/31/2022

Application date	Application method	Precipitation 24 hours prior	Precipitation during application	Precipitation 24 hours following
02/13/2023	Surface (irrigation)	No precipitation	No precipitation	No precipitation

Source description	Material type	N (lbs/acre)	P (lbs/acre)	K (lbs/acre)	Salt (lbs/acre)	Amount
WWS	Process wastewater	146.98	27.43	251.15	1,847.96	2,565,000.00 *gal*
Application event totals		146.98	27.43	251.15	1,847.96	

4 - 06/07/2023: Corn, silage

Field name: 4

Crop: Corn, silage Plant date: 06/07/2023

Application date	Application method	Precipitation 24 hours prior	Precipitation during application	Precipitation 24 hours following

4 - 06/07/2023: Corn, silage

Application date	Application method	Precipitation 24 hours prior	Precipitation during application	Precipitation 24 hours following
05/18/2023	Surface (irrigation)	No precipitation	No precipitation	No precipitation

Source description	Material type	N (lbs/acre)	P (lbs/acre)	K (lbs/acre)	Salt (lbs/acre)	Amount
IW 4	Ground water	3.00	0.00	0.00	143.95	4,312,500.00 *gal*
Application event totals		3.00	0.00	0.00	143.95	

Application date	Application method	Precipitation 24 hours prior	Precipitation during application	Precipitation 24 hours following
07/07/2023	Surface (irrigation)	No precipitation	No precipitation	No precipitation

Source description	Material type	N (lbs/acre)	P (lbs/acre)	K (lbs/acre)	Salt (lbs/acre)	Amount
IW 4	Ground water	5.37	0.00	0.00	257.86	7,725,000.00 *gal*
Application event totals		5.37	0.00	0.00	257.86	

Application date	Application method	Precipitation 24 hours prior	Precipitation during application	Precipitation 24 hours following
07/17/2023	Surface (irrigation)	No precipitation	No precipitation	No precipitation

Source description	Material type	N (lbs/acre)	P (lbs/acre)	K (lbs/acre)	Salt (lbs/acre)	Amount
WWS	Process wastewater	236.13	15.91	225.19	1,941.90	3,277,500.00 *gal*
IW 4	Ground water	5.42	0.00	0.00	260.36	7,800,000.00 *gal*
Application event totals		241.55	15.91	225.19	2,202.27	

Application date	Application method	Precipitation 24 hours prior	Precipitation during application	Precipitation 24 hours following
07/25/2023	Surface (irrigation)	No precipitation	No precipitation	No precipitation

Source description	Material type	N (lbs/acre)	P (lbs/acre)	K (lbs/acre)	Salt (lbs/acre)	Amount
IW 4	Ground water	5.37	0.00	0.00	257.86	7,725,000.00 *gal*
Application event totals		5.37	0.00	0.00	257.86	

Application date	Application method	Precipitation 24 hours prior	Precipitation during application	Precipitation 24 hours following
08/08/2023	Surface (irrigation)	No precipitation	No precipitation	No precipitation

Source description	Material type	N (lbs/acre)	P (lbs/acre)	K (lbs/acre)	Salt (lbs/acre)	Amount
IW 4	Ground water	5.37	0.00	0.00	257.86	7,725,000.00 *gal*
Application event totals		5.37	0.00	0.00	257.86	

Application date	Application method	Precipitation 24 hours prior	Precipitation during application	Precipitation 24 hours following
08/21/2023	Surface (irrigation)	No precipitation	No precipitation	No precipitation

Source description	Material type	N (lbs/acre)	P (lbs/acre)	K (lbs/acre)	Salt (lbs/acre)	Amount
IW 4	Ground water	5.32	0.00	0.00	255.36	7,650,000.00 *gal*
Application event totals		5.32	0.00	0.00	255.36	

4 - 06/07/2023: Corn, silage

Application date	Application method	Precipitation 24 hours prior	Precipitation during application	Precipitation 24 hours following
09/05/2023	Surface (irrigation)	No precipitation	No precipitation	No precipitation

Source description	Material type	N (lbs/acre)	P (lbs/acre)	K (lbs/acre)	Salt (lbs/acre)	Amount
IW 4	Ground water	5.24	0.00	0.00	251.60	7,537,500.00 *gal*
Application event totals		5.24	0.00	0.00	251.60	

5 - 10/30/2022: Oats, silage-soft dough

Field name: 5

Crop: Oats, silage-soft dough Plant date: 10/30/2022

Application date	Application method	Precipitation 24 hours prior	Precipitation during application	Precipitation 24 hours following
10/12/2022	Broadcast/incorporate	No precipitation	No precipitation	No precipitation

Source description	Material type	N (lbs/acre)	P (lbs/acre)	K (lbs/acre)	Salt (lbs/acre)	Amount
Corral Solids	Corral solids	226.98	88.14	295.62	2,394.60	400.00 *ton*
Application event totals		226.98	88.14	295.62	2,394.60	

5 - 06/05/2023: Corn, silage

Field name: 5

Crop: Corn, silage Plant date: 06/05/2023

Application date	Application method	Precipitation 24 hours prior	Precipitation during application	Precipitation 24 hours following
05/16/2023	Surface (irrigation)	No precipitation	No precipitation	No precipitation

Source description	Material type	N (lbs/acre)	P (lbs/acre)	K (lbs/acre)	Salt (lbs/acre)	Amount
IW 3	Ground water	6.20	0.00	0.00	170.68	2,700,000.00 *gal*
IW 1	Ground water	1.50	0.00	0.00	142.51	2,700,000.00 *gal*
Application event totals		7.70	0.00	0.00	313.19	

5 - 06/05/2023: Corn, silage

Application date	Application method	Precipitation 24 hours prior	Precipitation during application	Precipitation 24 hours following
07/04/2023	Surface (irrigation)	No precipitation	No precipitation	No precipitation

Source description	Material type	N (lbs/acre)	P (lbs/acre)	K (lbs/acre)	Salt (lbs/acre)	Amount
IW 3	Ground water	5.85	0.00	0.00	161.19	2,550,000.00 *gal*
IW 1	Ground water	1.42	0.00	0.00	134.59	2,550,000.00 *gal*
Application event totals		7.27	0.00	0.00	295.79	

07/14/2023	Surface (irrigation)	No precipitation	No precipitation	No precipitation

Source description	Material type	N (lbs/acre)	P (lbs/acre)	K (lbs/acre)	Salt (lbs/acre)	Amount
WWS	Process wastewater	85.03	9.84	121.29	689.71	1,425,000.00 *gal*
IW 3	Ground water	4.30	0.00	0.00	118.53	1,875,000.00 *gal*
IW 1	Ground water	1.04	0.00	0.00	98.97	1,875,000.00 *gal*
Application event totals		90.37	9.84	121.29	907.21	

07/24/2023	Surface (irrigation)	No precipitation	No precipitation	No precipitation

Source description	Material type	N (lbs/acre)	P (lbs/acre)	K (lbs/acre)	Salt (lbs/acre)	Amount
IW 3	Ground water	5.85	0.00	0.00	161.19	2,550,000.00 *gal*
IW 1	Ground water	1.42	0.00	0.00	134.59	2,550,000.00 *gal*
Application event totals		7.27	0.00	0.00	295.79	

08/05/2023	Surface (irrigation)	No precipitation	No precipitation	No precipitation

Source description	Material type	N (lbs/acre)	P (lbs/acre)	K (lbs/acre)	Salt (lbs/acre)	Amount
WWS	Process wastewater	85.03	9.84	121.29	689.71	1,425,000.00 *gal*
IW 3	Ground water	4.30	0.00	0.00	118.53	1,875,000.00 *gal*
IW 1	Ground water	1.04	0.00	0.00	98.97	1,875,000.00 *gal*
Application event totals		90.37	9.84	121.29	907.21	

08/18/2023	Surface (irrigation)	No precipitation	No precipitation	No precipitation

Source description	Material type	N (lbs/acre)	P (lbs/acre)	K (lbs/acre)	Salt (lbs/acre)	Amount
IW 3	Ground water	5.68	0.00	0.00	156.45	2,475,000.00 *gal*
IW 1	Ground water	1.38	0.00	0.00	130.64	2,475,000.00 *gal*
Application event totals		7.06	0.00	0.00	287.09	

5 - 06/05/2023: Corn, silage

Application date	Application method	Precipitation 24 hours prior	Precipitation during application	Precipitation 24 hours following
09/02/2023	Surface (irrigation)	No precipitation	No precipitation	No precipitation

Source description	Material type	N (lbs/acre)	P (lbs/acre)	K (lbs/acre)	Salt (lbs/acre)	Amount
IW 3	Ground water	5.68	0.00	0.00	156.45	2,475,000.00 *gal*
IW 1	Ground water	1.38	0.00	0.00	130.64	2,475,000.00 *gal*
Application event totals		7.06	0.00	0.00	287.09	

6 - 10/30/2022: Oats, silage-soft dough

Field name: 6

Crop: Oats, silage-soft dough Plant date: 10/30/2022

Application date	Application method	Precipitation 24 hours prior	Precipitation during application	Precipitation 24 hours following
02/15/2023	Surface (irrigation)	No precipitation	No precipitation	No precipitation

Source description	Material type	N (lbs/acre)	P (lbs/acre)	K (lbs/acre)	Salt (lbs/acre)	Amount
WWS	Process wastewater	104.99	19.60	179.39	1,319.97	855,000.00 *gal*
Application event totals		104.99	19.60	179.39	1,319.97	

Application date	Application method	Precipitation 24 hours prior	Precipitation during application	Precipitation 24 hours following
03/16/2023	Surface (irrigation)	No precipitation	No precipitation	No precipitation

Source description	Material type	N (lbs/acre)	P (lbs/acre)	K (lbs/acre)	Salt (lbs/acre)	Amount
WWS	Process wastewater	111.99	20.90	191.35	1,407.97	912,000.00 *gal*
Application event totals		111.99	20.90	191.35	1,407.97	

6 - 06/06/2023: Corn, silage

Field name: 6

Crop: Corn, silage Plant date: 06/06/2023

Application date	Application method	Precipitation 24 hours prior	Precipitation during application	Precipitation 24 hours following

6 - 06/06/2023: Corn, silage

Application date	Application method	Precipitation 24 hours prior	Precipitation during application	Precipitation 24 hours following
05/17/2023	Surface (irrigation)	No precipitation	No precipitation	No precipitation

Source description	Material type	N (lbs/acre)	P (lbs/acre)	K (lbs/acre)	Salt (lbs/acre)	Amount
WWS	Process wastewater	158.40	10.67	151.06	1,302.64	1,026,000.00 *gal*
IW 3	Ground water	4.43	0.00	0.00	121.91	1,350,000.00 *gal*
IW 1	Ground water	1.07	0.00	0.00	101.79	1,350,000.00 *gal*
Application event totals		163.90	10.67	151.06	1,526.35	

07/06/2023	Surface (irrigation)	No precipitation	No precipitation	No precipitation

Source description	Material type	N (lbs/acre)	P (lbs/acre)	K (lbs/acre)	Salt (lbs/acre)	Amount
IW 3	Ground water	6.15	0.00	0.00	169.32	1,875,000.00 *gal*
IW 1	Ground water	1.49	0.00	0.00	141.38	1,875,000.00 *gal*
Application event totals		7.64	0.00	0.00	310.70	

07/16/2023	Surface (irrigation)	No precipitation	No precipitation	No precipitation

Source description	Material type	N (lbs/acre)	P (lbs/acre)	K (lbs/acre)	Salt (lbs/acre)	Amount
WWS	Process wastewater	82.60	9.56	117.83	670.01	969,000.00 *gal*
IW 3	Ground water	4.18	0.00	0.00	115.14	1,275,000.00 *gal*
IW 1	Ground water	1.01	0.00	0.00	96.14	1,275,000.00 *gal*
Application event totals		87.79	9.56	117.83	881.29	

07/26/2023	Surface (irrigation)	No precipitation	No precipitation	No precipitation

Source description	Material type	N (lbs/acre)	P (lbs/acre)	K (lbs/acre)	Salt (lbs/acre)	Amount
IW 3	Ground water	6.15	0.00	0.00	169.32	1,875,000.00 *gal*
IW 1	Ground water	1.49	0.00	0.00	141.38	1,875,000.00 *gal*
Application event totals		7.64	0.00	0.00	310.70	

08/07/2023	Surface (irrigation)	No precipitation	No precipitation	No precipitation

Source description	Material type	N (lbs/acre)	P (lbs/acre)	K (lbs/acre)	Salt (lbs/acre)	Amount
IW 3	Ground water	5.90	0.00	0.00	162.55	1,800,000.00 *gal*
IW 1	Ground water	1.43	0.00	0.00	135.73	1,800,000.00 *gal*
Application event totals		7.33	0.00	0.00	298.27	

6 - 06/06/2023: Corn, silage

Application date	Application method	Precipitation 24 hours prior	Precipitation during application	Precipitation 24 hours following
08/20/2023	Surface (irrigation)	No precipitation	No precipitation	No precipitation

Source description	Material type	N (lbs/acre)	P (lbs/acre)	K (lbs/acre)	Salt (lbs/acre)	Amount
IW 3	Ground water	5.90	0.00	0.00	162.55	1,800,000.00 *gal*
IW 1	Ground water	1.43	0.00	0.00	135.73	1,800,000.00 *gal*
Application event totals		7.33	0.00	0.00	298.27	

Application date	Application method	Precipitation 24 hours prior	Precipitation during application	Precipitation 24 hours following
09/04/2023	Surface (irrigation)	No precipitation	No precipitation	No precipitation

Source description	Material type	N (lbs/acre)	P (lbs/acre)	K (lbs/acre)	Salt (lbs/acre)	Amount
IW 3	Ground water	5.41	0.00	0.00	149.00	1,650,000.00 *gal*
IW 1	Ground water	1.31	0.00	0.00	124.42	1,650,000.00 *gal*
Application event totals		6.72	0.00	0.00	273.42	

Field 10 (a) - 07/01/2022: Sudangrass, silage

Field name: Field 10 (a)

Crop: Sudangrass, silage

Plant date: 07/01/2022

Application date	Application method	Precipitation 24 hours prior	Precipitation during application	Precipitation 24 hours following
05/15/2023	Broadcast/incorporate	No precipitation	No precipitation	No precipitation

Source description	Material type	N (lbs/acre)	P (lbs/acre)	K (lbs/acre)	Salt (lbs/acre)	Amount
Corral Solids	Corral solids	181.51	83.24	472.54	2,228.14	300.00 *ton*
Application event totals		181.51	83.24	472.54	2,228.14	

Application date	Application method	Precipitation 24 hours prior	Precipitation during application	Precipitation 24 hours following
07/02/2023	Surface (irrigation)	No precipitation	No precipitation	No precipitation

Source description	Material type	N (lbs/acre)	P (lbs/acre)	K (lbs/acre)	Salt (lbs/acre)	Amount
IW Carter South	Ground water	1.46	0.00	0.00	200.22	5,744,800.00 *gal*
Application event totals		1.46	0.00	0.00	200.22	

Field 10 (a) - 07/01/2022: Sudangrass, silage

Application date	Application method	Precipitation 24 hours prior	Precipitation during application	Precipitation 24 hours following
07/23/2023	Surface (irrigation)	No precipitation	No precipitation	No precipitation

Source description	Material type	N (lbs/acre)	P (lbs/acre)	K (lbs/acre)	Salt (lbs/acre)	Amount
IW Carter South	Ground water	1.49	0.00	0.00	204.82	5,876,730.00 *gal*
Application event totals		1.49	0.00	0.00	204.82	

07/23/2023	Surface (irrigation)	No precipitation	No precipitation	No precipitation

Source description	Material type	N (lbs/acre)	P (lbs/acre)	K (lbs/acre)	Salt (lbs/acre)	Amount
UN 32	Solid commercial fertilizer	32.00	0.00	0.00	0.00	
Application event totals		32.00	0.00	0.00	0.00	

08/05/2023	Surface (irrigation)	No precipitation	No precipitation	No precipitation

Source description	Material type	N (lbs/acre)	P (lbs/acre)	K (lbs/acre)	Salt (lbs/acre)	Amount
IW Carter South	Ground water	1.47	0.00	0.00	202.30	5,804,310.00 *gal*
Application event totals		1.47	0.00	0.00	202.30	

08/17/2023	Surface (irrigation)	No precipitation	No precipitation	No precipitation

Source description	Material type	N (lbs/acre)	P (lbs/acre)	K (lbs/acre)	Salt (lbs/acre)	Amount
IW Carter South	Ground water	1.45	0.00	0.00	199.01	5,709,960.00 *gal*
Application event totals		1.45	0.00	0.00	199.01	

08/29/2023	Surface (irrigation)	No precipitation	No precipitation	No precipitation

Source description	Material type	N (lbs/acre)	P (lbs/acre)	K (lbs/acre)	Salt (lbs/acre)	Amount
IW Carter South	Ground water	1.43	0.00	0.00	196.38	5,634,480.00 *gal*
Application event totals		1.43	0.00	0.00	196.38	

09/13/2023	Surface (irrigation)	No precipitation	No precipitation	No precipitation

Source description	Material type	N (lbs/acre)	P (lbs/acre)	K (lbs/acre)	Salt (lbs/acre)	Amount
IW Carter South	Ground water	1.41	0.00	0.00	193.34	5,547,270.00 *gal*
Application event totals		1.41	0.00	0.00	193.34	

Field 10 (a) - 11/01/2022: Oats, silage-soft dough

Field 10 (a) - 11/01/2022: Oats, silage-soft dough

Field name: Field 10 (a)

Crop: Oats, silage-soft dough

Plant date: 11/01/2022

Application date	Application method	Precipitation 24 hours prior	Precipitation during application	Precipitation 24 hours following
10/25/2022	Broadcast/incorporate	No precipitation	No precipitation	No precipitation

Source description	Material type	N (lbs/acre)	P (lbs/acre)	K (lbs/acre)	Salt (lbs/acre)	Amount
Corral Solids	Corral solids	133.52	51.85	173.89	1,408.59	300.00 *ton*
Application event totals		133.52	51.85	173.89	1,408.59	

Field 10 (b) - 11/01/2022: Oats, silage-soft dough

Field name: Field 10 (b)

Crop: Oats, silage-soft dough

Plant date: 11/01/2022

Application date	Application method	Precipitation 24 hours prior	Precipitation during application	Precipitation 24 hours following
10/25/2022	Broadcast/incorporate	No precipitation	No precipitation	No precipitation

Source description	Material type	N (lbs/acre)	P (lbs/acre)	K (lbs/acre)	Salt (lbs/acre)	Amount
Corral Solids	Corral solids	131.41	51.03	171.15	1,386.35	220.00 *ton*
Application event totals		131.41	51.03	171.15	1,386.35	

Field 10 (b) - 07/01/2023: Corn, silage

Field name: Field 10 (b)

Crop: Corn, silage

Plant date: 07/01/2023

Application date	Application method	Precipitation 24 hours prior	Precipitation during application	Precipitation 24 hours following
05/15/2023	Broadcast/incorporate	No precipitation	No precipitation	No precipitation

Source description	Material type	N (lbs/acre)	P (lbs/acre)	K (lbs/acre)	Salt (lbs/acre)	Amount
Corral Solids	Corral solids	205.71	94.34	535.55	2,525.23	180.00 *ton*
Application event totals		205.71	94.34	535.55	2,525.23	

Field 10 (b) - 07/01/2023: Corn, silage

Application date	Application method	Precipitation 24 hours prior	Precipitation during application	Precipitation 24 hours following
07/01/2023	Sidedress	No precipitation	No precipitation	No precipitation

Source description	Material type	N (lbs/acre)	P (lbs/acre)	K (lbs/acre)	Salt (lbs/acre)	Amount
4-0-0	Solid commercial fertilizer	8.00	0.00	0.00	0.00	
Application event totals		8.00	0.00	0.00	0.00	

07/02/2023	Surface (irrigation)	No precipitation	No precipitation	No precipitation

Source description	Material type	N (lbs/acre)	P (lbs/acre)	K (lbs/acre)	Salt (lbs/acre)	Amount
IW Carter South	Ground water	1.72	0.00	0.00	237.00	3,600,000.00 *gal*
Application event totals		1.72	0.00	0.00	237.00	

07/21/2023	Surface (irrigation)	No precipitation	No precipitation	No precipitation

Source description	Material type	N (lbs/acre)	P (lbs/acre)	K (lbs/acre)	Salt (lbs/acre)	Amount
IW Carter South	Ground water	1.69	0.00	0.00	232.26	3,528,000.00 *gal*
Application event totals		1.69	0.00	0.00	232.26	

07/20/2023	Sidedress	No precipitation	No precipitation	No precipitation

Source description	Material type	N (lbs/acre)	P (lbs/acre)	K (lbs/acre)	Salt (lbs/acre)	Amount
UN 32	Solid commercial fertilizer	32.00	0.00	0.00	0.00	
Application event totals		32.00	0.00	0.00	0.00	

08/01/2023	Surface (irrigation)	No precipitation	No precipitation	No precipitation

Source description	Material type	N (lbs/acre)	P (lbs/acre)	K (lbs/acre)	Salt (lbs/acre)	Amount
IW Carter South	Ground water	1.66	0.00	0.00	227.52	3,456,000.00 *gal*
Application event totals		1.66	0.00	0.00	227.52	

08/14/2023	Surface (irrigation)	No precipitation	No precipitation	No precipitation

Source description	Material type	N (lbs/acre)	P (lbs/acre)	K (lbs/acre)	Salt (lbs/acre)	Amount
IW Carter South	Ground water	1.64	0.00	0.00	225.15	3,420,000.00 *gal*
Application event totals		1.64	0.00	0.00	225.15	

Field 10 (b) - 07/01/2023: Corn, silage

Application date	Application method	Precipitation 24 hours prior	Precipitation during application	Precipitation 24 hours following
08/28/2023	Surface (irrigation)	No precipitation	No precipitation	No precipitation

Source description	Material type	N (lbs/acre)	P (lbs/acre)	K (lbs/acre)	Salt (lbs/acre)	Amount
IW Carter South	Ground water	1.64	0.00	0.00	225.15	3,420,000.00 *gal*
Application event totals		1.64	0.00	0.00	225.15	

Application date	Application method	Precipitation 24 hours prior	Precipitation during application	Precipitation 24 hours following
09/12/2023	Surface (irrigation)	No precipitation	No precipitation	No precipitation

Source description	Material type	N (lbs/acre)	P (lbs/acre)	K (lbs/acre)	Salt (lbs/acre)	Amount
IW Carter South	Ground water	1.62	0.00	0.00	222.78	3,384,000.00 *gal*
Application event totals		1.62	0.00	0.00	222.78	

Application date	Application method	Precipitation 24 hours prior	Precipitation during application	Precipitation 24 hours following
09/27/2023	Surface (irrigation)	No precipitation	No precipitation	No precipitation

Source description	Material type	N (lbs/acre)	P (lbs/acre)	K (lbs/acre)	Salt (lbs/acre)	Amount
IW Carter South	Ground water	1.55	0.00	0.00	213.30	3,240,000.00 *gal*
Application event totals		1.55	0.00	0.00	213.30	

Field 11 - 01/01/2023: Pasture

Field name: Field 11

Crop: Pasture

Plant date: 01/01/2023

Application date	Application method	Precipitation 24 hours prior	Precipitation during application	Precipitation 24 hours following
10/15/2022	Broadcast/incorporate	No precipitation	No precipitation	No precipitation

Source description	Material type	N (lbs/acre)	P (lbs/acre)	K (lbs/acre)	Salt (lbs/acre)	Amount
Corral Solids	Corral solids	39.34	15.28	51.24	415.06	260.00 *ton*
Corral Solids	Corral solids	84.17	25.93	135.78	1,010.69	300.00 *ton*
Application event totals		123.52	41.21	187.02	1,425.75	

Application date	Application method	Precipitation 24 hours prior	Precipitation during application	Precipitation 24 hours following
05/20/2023	Surface (irrigation)	No precipitation	No precipitation	No precipitation

Source description	Material type	N (lbs/acre)	P (lbs/acre)	K (lbs/acre)	Salt (lbs/acre)	Amount
IW Carter North	Ground water	1.11	0.00	0.00	151.65	14,124,000.00 *gal*
Application event totals		1.11	0.00	0.00	151.65	

Field 11 - 01/01/2023: Pasture

Application date	Application method	Precipitation 24 hours prior	Precipitation during application	Precipitation 24 hours following
06/03/2023	Surface (irrigation)	No precipitation	No precipitation	No precipitation

Source description	Material type	N (lbs/acre)	P (lbs/acre)	K (lbs/acre)	Salt (lbs/acre)	Amount
IW Carter North	Ground water	1.10	0.00	0.00	150.24	13,992,000.00 *gal*
Application event totals		1.10	0.00	0.00	150.24	

Application date	Application method	Precipitation 24 hours prior	Precipitation during application	Precipitation 24 hours following
06/17/2023	Surface (irrigation)	No precipitation	No precipitation	No precipitation

Source description	Material type	N (lbs/acre)	P (lbs/acre)	K (lbs/acre)	Salt (lbs/acre)	Amount
IW Carter North	Ground water	1.11	0.00	0.00	152.36	14,190,000.00 *gal*
Application event totals		1.11	0.00	0.00	152.36	

Application date	Application method	Precipitation 24 hours prior	Precipitation during application	Precipitation 24 hours following
07/01/2023	Surface (irrigation)	No precipitation	No precipitation	No precipitation

Source description	Material type	N (lbs/acre)	P (lbs/acre)	K (lbs/acre)	Salt (lbs/acre)	Amount
IW Carter North	Ground water	1.12	0.00	0.00	153.78	14,322,000.00 *gal*
Application event totals		1.12	0.00	0.00	153.78	

Application date	Application method	Precipitation 24 hours prior	Precipitation during application	Precipitation 24 hours following
07/15/2023	Surface (irrigation)	No precipitation	No precipitation	No precipitation

Source description	Material type	N (lbs/acre)	P (lbs/acre)	K (lbs/acre)	Salt (lbs/acre)	Amount
IW Carter North	Ground water	1.14	0.00	0.00	155.90	14,520,000.00 *gal*
Application event totals		1.14	0.00	0.00	155.90	

Application date	Application method	Precipitation 24 hours prior	Precipitation during application	Precipitation 24 hours following
07/29/2023	Surface (irrigation)	No precipitation	No precipitation	No precipitation

Source description	Material type	N (lbs/acre)	P (lbs/acre)	K (lbs/acre)	Salt (lbs/acre)	Amount
IW Carter North	Ground water	1.13	0.00	0.00	154.49	14,388,000.00 *gal*
Application event totals		1.13	0.00	0.00	154.49	

Application date	Application method	Precipitation 24 hours prior	Precipitation during application	Precipitation 24 hours following
08/12/2023	Surface (irrigation)	No precipitation	No precipitation	No precipitation

Source description	Material type	N (lbs/acre)	P (lbs/acre)	K (lbs/acre)	Salt (lbs/acre)	Amount
IW Carter North	Ground water	1.12	0.00	0.00	153.07	14,256,000.00 *gal*
Application event totals		1.12	0.00	0.00	153.07	

Field 11 - 01/01/2023: Pasture

Application date	Application method	Precipitation 24 hours prior	Precipitation during application	Precipitation 24 hours following
08/26/2023	Surface (irrigation)	No precipitation	No precipitation	No precipitation

Source description	Material type	N (lbs/acre)	P (lbs/acre)	K (lbs/acre)	Salt (lbs/acre)	Amount
IW Carter North	Ground water	1.11	0.00	0.00	152.36	14,190,000.00 *gal*
Application event totals		1.11	0.00	0.00	152.36	

Application date	Application method	Precipitation 24 hours prior	Precipitation during application	Precipitation 24 hours following
09/09/2023	Surface (irrigation)	No precipitation	No precipitation	No precipitation

Source description	Material type	N (lbs/acre)	P (lbs/acre)	K (lbs/acre)	Salt (lbs/acre)	Amount
IW Carter North	Ground water	1.11	0.00	0.00	151.65	14,124,000.00 *gal*
Application event totals		1.11	0.00	0.00	151.65	

Application date	Application method	Precipitation 24 hours prior	Precipitation during application	Precipitation 24 hours following
09/23/2023	Surface (irrigation)	No precipitation	No precipitation	No precipitation

Source description	Material type	N (lbs/acre)	P (lbs/acre)	K (lbs/acre)	Salt (lbs/acre)	Amount
IW Carter North	Ground water	1.10	0.00	0.00	150.24	13,992,000.00 *gal*
Application event totals		1.10	0.00	0.00	150.24	

Application date	Application method	Precipitation 24 hours prior	Precipitation during application	Precipitation 24 hours following
10/07/2023	Surface (irrigation)	No precipitation	No precipitation	No precipitation

Source description	Material type	N (lbs/acre)	P (lbs/acre)	K (lbs/acre)	Salt (lbs/acre)	Amount
IW Carter North	Ground water	1.08	0.00	0.00	148.11	13,794,000.00 *gal*
Application event totals		1.08	0.00	0.00	148.11	

B. NUTRIENT BUDGET

1 - 10/29/2022: Oats, silage-soft dough

Field name: 1 Crop: Oats, silage-soft dough Plant date: 10/29/2022

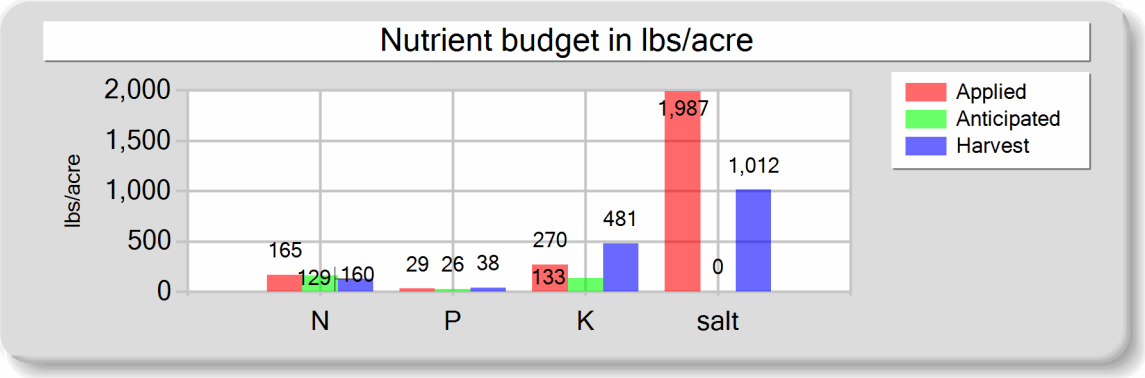

	Total N (lbs/acre)	Total P (lbs/acre)	Total K (lbs/acre)	Total salt (lbs/acre)
Existing soil nutrient content	0.00	0.00	0.00	0.00
Plowdown credit	0.00	0.00	0.00	0.00
Commercial fertilizer / Other	0.00	0.00	0.00	0.00
Dry manure	0.00	0.00	0.00	0.00
Process wastewater	158.04	29.50	270.05	1,987.05
Fresh water	0.00	0.00	0.00	0.00
Atmospheric deposition	7.00	0.00	0.00	0.00
Total nutrients applied	165.04	29.50	270.05	1,987.05
Anticipated crop nutrient removal	160.00	25.60	132.80	0.00
Actual crop nutrient removal	128.57	37.84	481.23	1,011.78
Nutrient balance	36.47	-8.34	-211.18	975.27
Applied to removed ratio	1.28	0.78	0.56	1.96

Fresh water applied	
0.00	*gallons*
0.00	*acre-inches*
0.00	*inches/acre*

Process wastewater applied	
1,425,000.00	*gallons*
52.48	*acre-inches*
1.69	*inches/acre*

Total harvests for the crop	
1	*harvests*

1 - 06/09/2023: Corn, silage

Field name: 1 Crop: Corn, silage Plant date: 06/09/2023

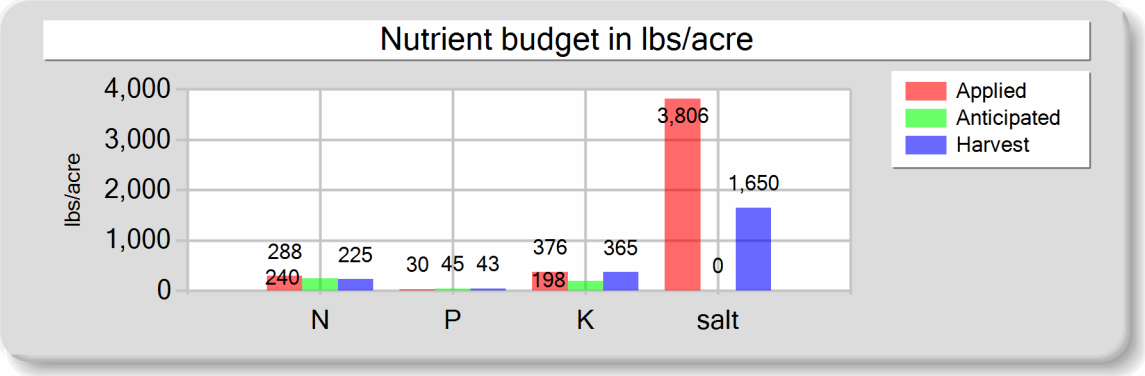

	Total N (lbs/acre)	Total P (lbs/acre)	Total K (lbs/acre)	Total salt (lbs/acre)
Existing soil nutrient content	0.00	0.00	0.00	0.00
Plowdown credit	0.00	0.00	0.00	0.00
Commercial fertilizer / Other	0.00	0.00	0.00	0.00
Dry manure	0.00	0.00	0.00	0.00
Process wastewater	263.30	30.47	375.62	2,135.89
Fresh water	17.63	0.00	0.00	1,670.30
Atmospheric deposition	7.00	0.00	0.00	0.00
Total nutrients applied	287.93	30.47	375.62	3,806.19
Anticipated crop nutrient removal	240.00	45.00	198.00	0.00
Actual crop nutrient removal	225.30	43.23	365.09	1,649.65
Nutrient balance	62.63	-12.76	10.53	2,156.54
Applied to removed ratio	1.28	0.70	1.03	2.31

Fresh water applied	
24,525,000.00	*gallons*
903.17	*acre-inches*
29.13	*inches/acre*

Process wastewater applied	
3,420,000.00	*gallons*
125.95	*acre-inches*
4.06	*inches/acre*

Total harvests for the crop	
1	*harvests*

2 - 10/29/2022: Oats, silage-soft dough

Field name: 2 Crop: Oats, silage-soft dough Plant date: 10/29/2022

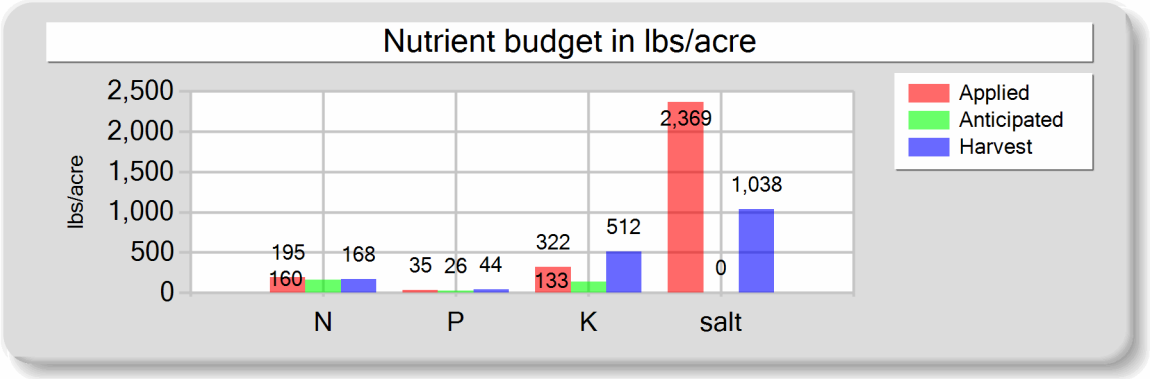

	Total N (lbs/acre)	Total P (lbs/acre)	Total K (lbs/acre)	Total salt (lbs/acre)
Existing soil nutrient content	0.00	0.00	0.00	0.00
Plowdown credit	0.00	0.00	0.00	0.00
Commercial fertilizer / Other	0.00	0.00	0.00	0.00
Dry manure	0.00	0.00	0.00	0.00
Process wastewater	188.44	35.17	321.99	2,369.18
Fresh water	0.00	0.00	0.00	0.00
Atmospheric deposition	7.00	0.00	0.00	0.00
Total nutrients applied	195.44	35.17	321.99	2,369.18
Anticipated crop nutrient removal	160.00	25.60	132.80	0.00
Actual crop nutrient removal	168.26	44.20	511.75	1,038.24
Nutrient balance	27.18	-9.03	-189.77	1,330.94
Applied to removed ratio	1.16	0.80	0.63	2.28

Fresh water applied
0.00 *gallons*
0.00 *acre-inches*
0.00 *inches/acre*

Process wastewater applied
1,425,000.00 *gallons*
52.48 *acre-inches*
2.02 *inches/acre*

Total harvests for the crop
1 *harvests*

2 - 06/05/2023: Corn, silage

Field name: 2 Crop: Corn, silage Plant date: 06/05/2023

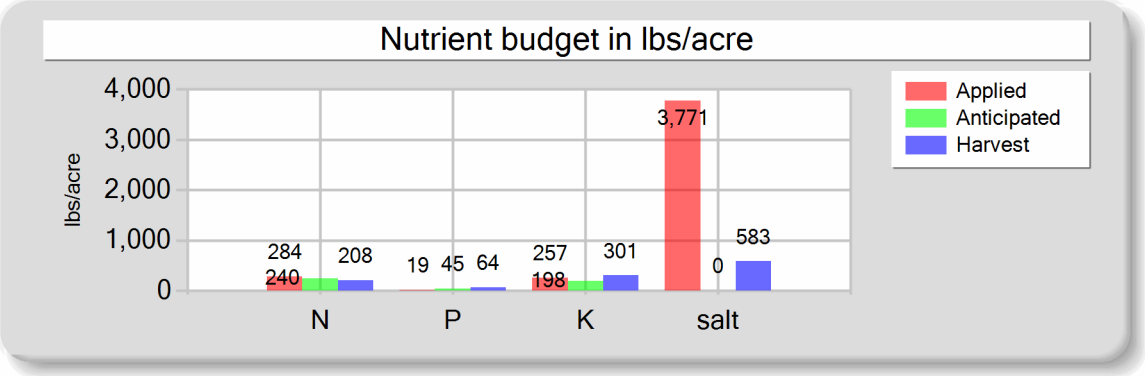

	Total N (lbs/acre)	Total P (lbs/acre)	Total K (lbs/acre)	Total salt (lbs/acre)
Existing soil nutrient content	0.00	0.00	0.00	0.00
Plowdown credit	0.00	0.00	0.00	0.00
Commercial fertilizer / Other	0.00	0.00	0.00	0.00
Dry manure	0.00	0.00	0.00	0.00
Process wastewater	230.11	19.30	256.57	1,883.63
Fresh water	46.40	0.00	0.00	1,887.16
Atmospheric deposition	7.00	0.00	0.00	0.00
Total nutrients applied	283.51	19.30	256.57	3,770.79
Anticipated crop nutrient removal	240.00	45.00	198.00	0.00
Actual crop nutrient removal	208.37	64.07	301.05	582.94
Nutrient balance	75.14	-44.77	-44.48	3,187.85
Applied to removed ratio	1.36	0.30	0.85	6.47

Fresh water applied	
21,150,000.00	*gallons*
778.88	*acre-inches*
29.96	*inches/acre*

Process wastewater applied	
1,767,000.00	*gallons*
65.07	*acre-inches*
2.50	*inches/acre*

Total harvests for the crop	
1	*harvests*

3 - 10/14/2020: Alfalfa, hay

Field name: 3 Crop: Alfalfa, hay Plant date: 10/14/2020

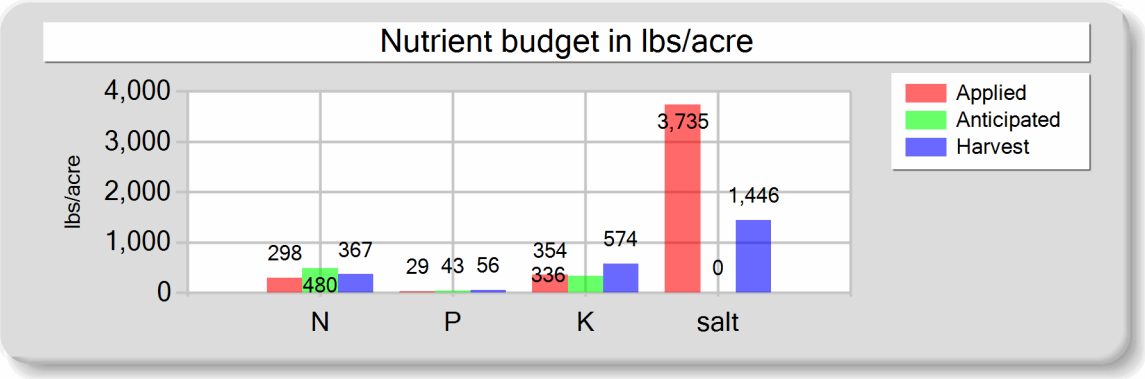

	Total N (lbs/acre)	Total P (lbs/acre)	Total K (lbs/acre)	Total salt (lbs/acre)
Existing soil nutrient content	0.00	0.00	0.00	0.00
Plowdown credit	0.00	0.00	0.00	0.00
Commercial fertilizer / Other	0.00	0.00	0.00	0.00
Dry manure	0.00	0.00	0.00	0.00
Process wastewater	248.07	28.71	353.89	2,012.34
Fresh water	35.90	0.00	0.00	1,723.00
Atmospheric deposition	14.00	0.00	0.00	0.00
Total nutrients applied	297.97	28.71	353.89	3,735.34
Anticipated crop nutrient removal	480.00	43.20	336.00	0.00
Actual crop nutrient removal	366.52	56.21	574.42	1,445.60
Nutrient balance	-68.55	-27.50	-220.53	2,289.74
Applied to removed ratio	0.81	0.51	0.62	2.58

Fresh water applied	
29,250,000.00	*gallons*
1,077.18	*acre-inches*
31.68	*inches/acre*

Process wastewater applied	
3,534,000.00	*gallons*
130.15	*acre-inches*
3.83	*inches/acre*

Total harvests for the crop	
1	*harvests*

4 - 10/31/2022: Oats, silage-soft dough

Field name: 4 Crop: Oats, silage-soft dough Plant date: 10/31/2022

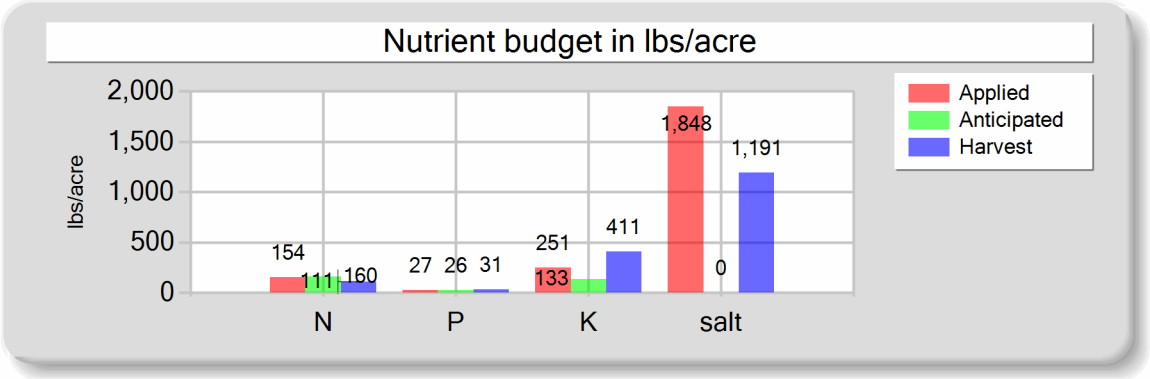

	Total N (lbs/acre)	Total P (lbs/acre)	Total K (lbs/acre)	Total salt (lbs/acre)
Existing soil nutrient content	0.00	0.00	0.00	0.00
Plowdown credit	0.00	0.00	0.00	0.00
Commercial fertilizer / Other	0.00	0.00	0.00	0.00
Dry manure	0.00	0.00	0.00	0.00
Process wastewater	146.98	27.43	251.15	1,847.96
Fresh water	0.00	0.00	0.00	0.00
Atmospheric deposition	7.00	0.00	0.00	0.00
Total nutrients applied	153.98	27.43	251.15	1,847.96
Anticipated crop nutrient removal	160.00	25.60	132.80	0.00
Actual crop nutrient removal	111.08	30.51	410.69	1,191.00
Nutrient balance	42.90	-3.07	-159.54	656.96
Applied to removed ratio	1.39	0.90	0.61	1.55

Fresh water applied
0.00 *gallons*
0.00 *acre-inches*
0.00 *inches/acre*

Process wastewater applied
2,565,000.00 *gallons*
94.46 *acre-inches*
1.57 *inches/acre*

Total harvests for the crop
1 *harvests*

4 - 06/07/2023: Corn, silage

Field name: 4 Crop: Corn, silage Plant date: 06/07/2023

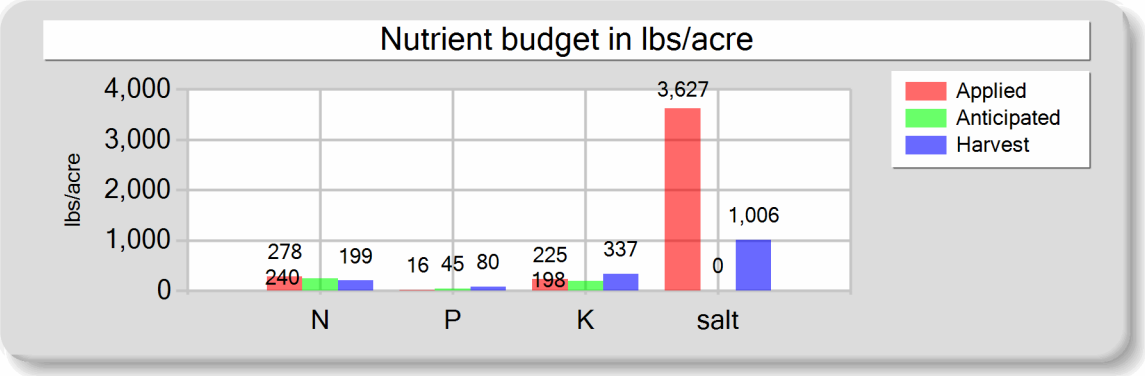

	Total N (lbs/acre)	Total P (lbs/acre)	Total K (lbs/acre)	Total salt (lbs/acre)
Existing soil nutrient content	0.00	0.00	0.00	0.00
Plowdown credit	0.00	0.00	0.00	0.00
Commercial fertilizer / Other	0.00	0.00	0.00	0.00
Dry manure	0.00	0.00	0.00	0.00
Process wastewater	236.13	15.91	225.19	1,941.90
Fresh water	35.10	0.00	0.00	1,684.86
Atmospheric deposition	7.00	0.00	0.00	0.00
Total nutrients applied	278.23	15.91	225.19	3,626.76
Anticipated crop nutrient removal	240.00	45.00	198.00	0.00
Actual crop nutrient removal	199.21	80.44	337.47	1,006.50
Nutrient balance	79.02	-64.53	-112.28	2,620.26
Applied to removed ratio	1.40	0.20	0.67	3.60

Fresh water applied	
50,475,000.00	*gallons*
1,858.82	*acre-inches*
30.98	*inches/acre*

Process wastewater applied	
3,277,500.00	*gallons*
120.70	*acre-inches*
2.01	*inches/acre*

Total harvests for the crop	
1	*harvests*

5 - 10/30/2022: Oats, silage-soft dough

Field name: 5 Crop: Oats, silage-soft dough Plant date: 10/30/2022

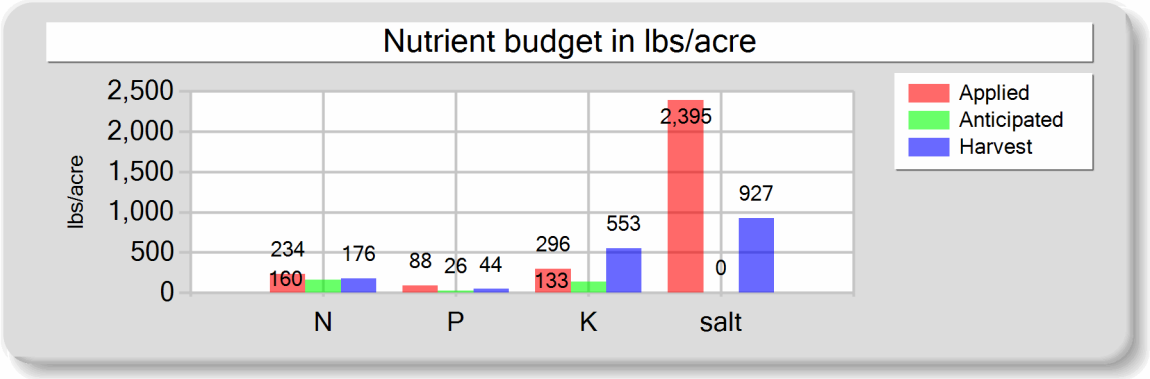

	Total N (lbs/acre)	Total P (lbs/acre)	Total K (lbs/acre)	Total salt (lbs/acre)
Existing soil nutrient content	0.00	0.00	0.00	0.00
Plowdown credit	0.00	0.00	0.00	0.00
Commercial fertilizer / Other	0.00	0.00	0.00	0.00
Dry manure	226.98	88.14	295.62	2,394.60
Process wastewater	0.00	0.00	0.00	0.00
Fresh water	0.00	0.00	0.00	0.00
Atmospheric deposition	7.00	0.00	0.00	0.00
Total nutrients applied	233.98	88.14	295.62	2,394.60
Anticipated crop nutrient removal	160.00	25.60	132.80	0.00
Actual crop nutrient removal	176.41	44.39	552.94	926.56
Nutrient balance	57.57	43.75	-257.32	1,468.04
Applied to removed ratio	1.33	1.99	0.53	2.58

Fresh water applied
0.00 *gallons*
0.00 *acre-inches*
0.00 *inches/acre*

Process wastewater applied
0.00 *gallons*
0.00 *acre-inches*
0.00 *inches/acre*

Total harvests for the crop
1 *harvests*

5 - 06/05/2023: Corn, silage

Field name: 5 Crop: Corn, silage Plant date: 06/05/2023

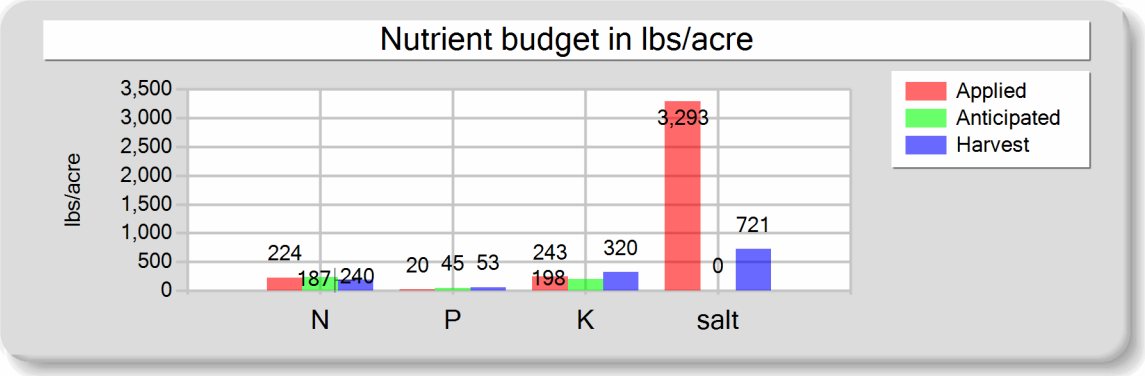

	Total N (lbs/acre)	Total P (lbs/acre)	Total K (lbs/acre)	Total salt (lbs/acre)
Existing soil nutrient content	0.00	0.00	0.00	0.00
Plowdown credit	0.00	0.00	0.00	0.00
Commercial fertilizer / Other	0.00	0.00	0.00	0.00
Dry manure	0.00	0.00	0.00	0.00
Process wastewater	170.05	19.68	242.59	1,379.43
Fresh water	47.06	0.00	0.00	1,913.93
Atmospheric deposition	7.00	0.00	0.00	0.00
Total nutrients applied	224.11	19.68	242.59	3,293.35
Anticipated crop nutrient removal	240.00	45.00	198.00	0.00
Actual crop nutrient removal	186.74	53.35	320.12	721.44
Nutrient balance	37.37	-33.67	-77.53	2,571.91
Applied to removed ratio	1.20	0.37	0.76	4.56

Fresh water applied	
33,000,000.00	*gallons*
1,215.28	*acre-inches*
30.38	*inches/acre*

Process wastewater applied	
2,850,000.00	*gallons*
104.96	*acre-inches*
2.62	*inches/acre*

Total harvests for the crop	
1	*harvests*

6 - 10/30/2022: Oats, silage-soft dough

Field name: 6 Crop: Oats, silage-soft dough Plant date: 10/30/2022

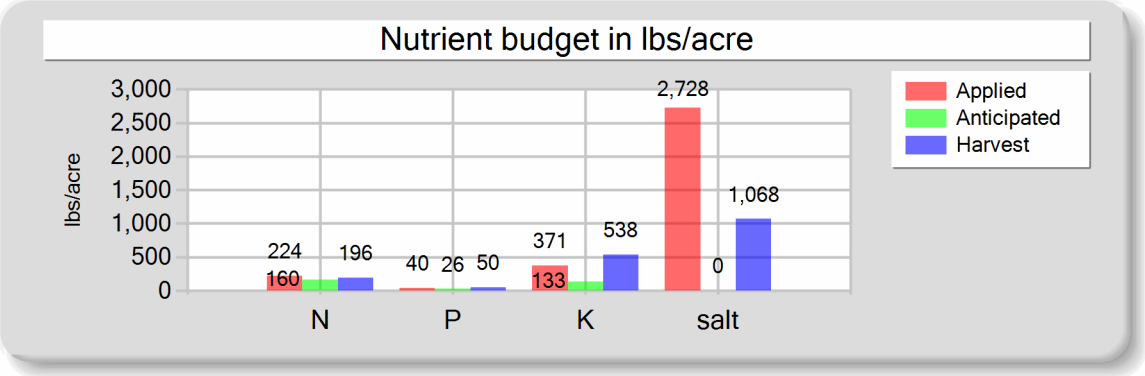

	Total N (lbs/acre)	Total P (lbs/acre)	Total K (lbs/acre)	Total salt (lbs/acre)
Existing soil nutrient content	0.00	0.00	0.00	0.00
Plowdown credit	0.00	0.00	0.00	0.00
Commercial fertilizer / Other	0.00	0.00	0.00	0.00
Dry manure	0.00	0.00	0.00	0.00
Process wastewater	216.97	40.50	370.75	2,727.94
Fresh water	0.00	0.00	0.00	0.00
Atmospheric deposition	7.00	0.00	0.00	0.00
Total nutrients applied	223.97	40.50	370.75	2,727.94
Anticipated crop nutrient removal	160.00	25.60	132.80	0.00
Actual crop nutrient removal	195.58	50.16	537.68	1,068.35
Nutrient balance	28.39	-9.66	-166.93	1,659.59
Applied to removed ratio	1.15	0.81	0.69	2.55

Fresh water applied	
0.00	*gallons*
0.00	*acre-inches*
0.00	*inches/acre*

Process wastewater applied	
1,767,000.00	*gallons*
65.07	*acre-inches*
2.32	*inches/acre*

Total harvests for the crop	
1	*harvests*

6 - 06/06/2023: Corn, silage

Field name: 6 Crop: Corn, silage Plant date: 06/06/2023

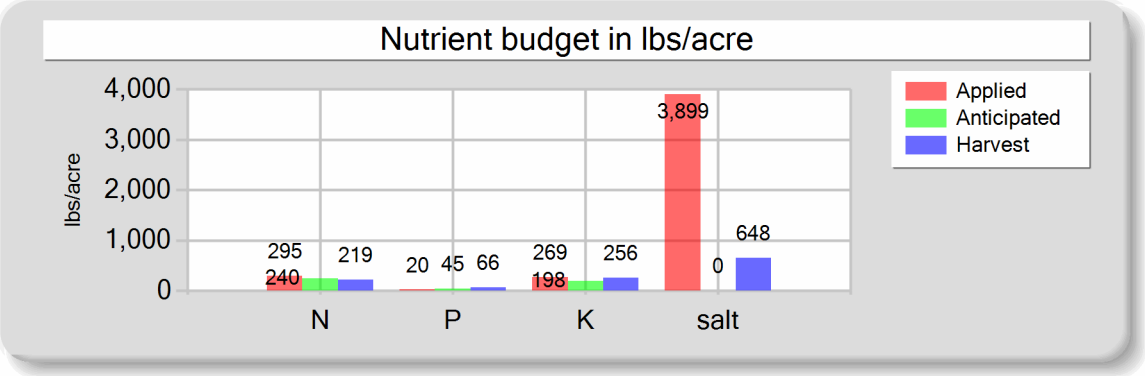

	Total N (lbs/acre)	Total P (lbs/acre)	Total K (lbs/acre)	Total salt (lbs/acre)
Existing soil nutrient content	0.00	0.00	0.00	0.00
Plowdown credit	0.00	0.00	0.00	0.00
Commercial fertilizer / Other	0.00	0.00	0.00	0.00
Dry manure	0.00	0.00	0.00	0.00
Process wastewater	240.99	20.23	268.89	1,972.65
Fresh water	47.36	0.00	0.00	1,926.35
Atmospheric deposition	7.00	0.00	0.00	0.00
Total nutrients applied	295.35	20.23	268.89	3,899.00
Anticipated crop nutrient removal	240.00	45.00	198.00	0.00
Actual crop nutrient removal	219.04	66.30	255.74	648.36
Nutrient balance	76.31	-46.07	13.14	3,250.65
Applied to removed ratio	1.35	0.31	1.05	6.01

Fresh water applied	
23,250,000.00	*gallons*
856.22	*acre-inches*
30.58	*inches/acre*

Process wastewater applied	
1,995,000.00	*gallons*
73.47	*acre-inches*
2.62	*inches/acre*

Total harvests for the crop	
1	*harvests*

Field 10 (a) - 07/01/2022: Sudangrass, silage

Field name: Field 10 (a) Crop: Sudangrass, silage Plant date: 07/01/2022

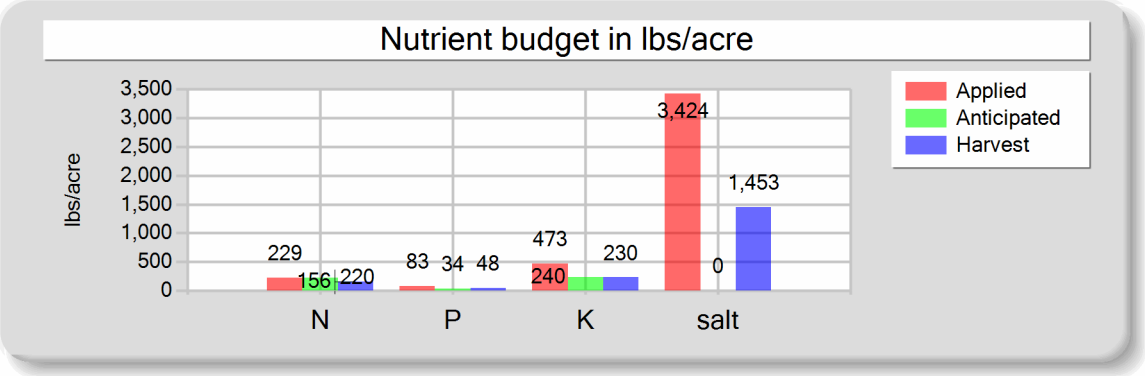

	Total N (lbs/acre)	Total P (lbs/acre)	Total K (lbs/acre)	Total salt (lbs/acre)
Existing soil nutrient content	0.00	0.00	0.00	0.00
Plowdown credit	0.00	0.00	0.00	0.00
Commercial fertilizer / Other	32.00	0.00	0.00	0.00
Dry manure	181.51	83.24	472.54	2,228.14
Process wastewater	0.00	0.00	0.00	0.00
Fresh water	8.70	0.00	0.00	1,196.06
Atmospheric deposition	7.00	0.00	0.00	0.00
Total nutrients applied	229.21	83.24	472.54	3,424.20
Anticipated crop nutrient removal	220.00	34.00	240.00	0.00
Actual crop nutrient removal	156.16	48.05	230.08	1,453.36
Nutrient balance	73.05	35.19	242.47	1,970.84
Applied to removed ratio	1.47	1.73	2.05	2.36

Fresh water applied	
34,317,550.00	*gallons*
1,263.80	*acre-inches*
24.78	*inches/acre*

Process wastewater applied	
0.00	*gallons*
0.00	*acre-inches*
0.00	*inches/acre*

Total harvests for the crop	
1	*harvests*

Field 10 (a) - 11/01/2022: Oats, silage-soft dough

Field name: Field 10 (a) Crop: Oats, silage-soft dough Plant date: 11/01/2022

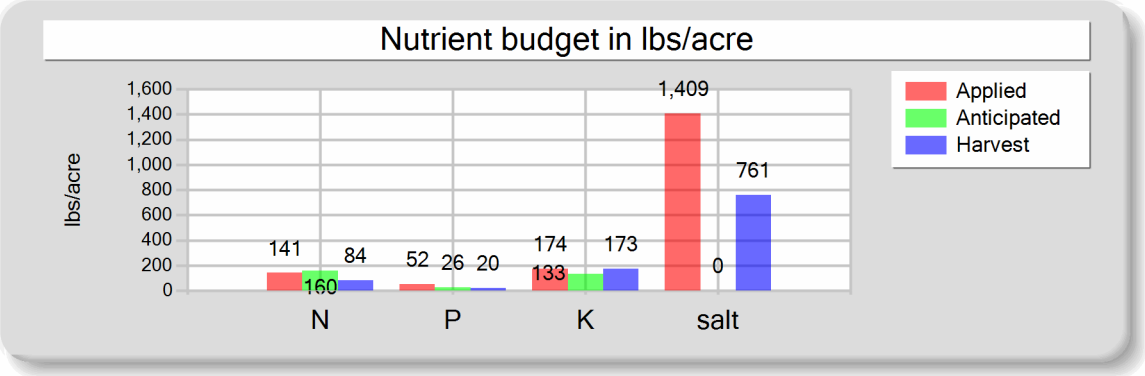

	Total N (lbs/acre)	Total P (lbs/acre)	Total K (lbs/acre)	Total salt (lbs/acre)
Existing soil nutrient content	0.00	0.00	0.00	0.00
Plowdown credit	0.00	0.00	0.00	0.00
Commercial fertilizer / Other	0.00	0.00	0.00	0.00
Dry manure	133.52	51.85	173.89	1,408.59
Process wastewater	0.00	0.00	0.00	0.00
Fresh water	0.00	0.00	0.00	0.00
Atmospheric deposition	7.00	0.00	0.00	0.00
Total nutrients applied	140.52	51.85	173.89	1,408.59
Anticipated crop nutrient removal	160.00	25.60	132.80	0.00
Actual crop nutrient removal	84.02	19.94	172.66	761.43
Nutrient balance	56.50	31.91	1.23	647.16
Applied to removed ratio	1.67	2.60	1.01	1.85

Fresh water applied
0.00 *gallons*
0.00 *acre-inches*
0.00 *inches/acre*

Process wastewater applied
0.00 *gallons*
0.00 *acre-inches*
0.00 *inches/acre*

Total harvests for the crop
1 *harvests*

Field 10 (b) - 11/01/2022: Oats, silage-soft dough

Field name: Field 10 (b) Crop: Oats, silage-soft dough Plant date: 11/01/2022

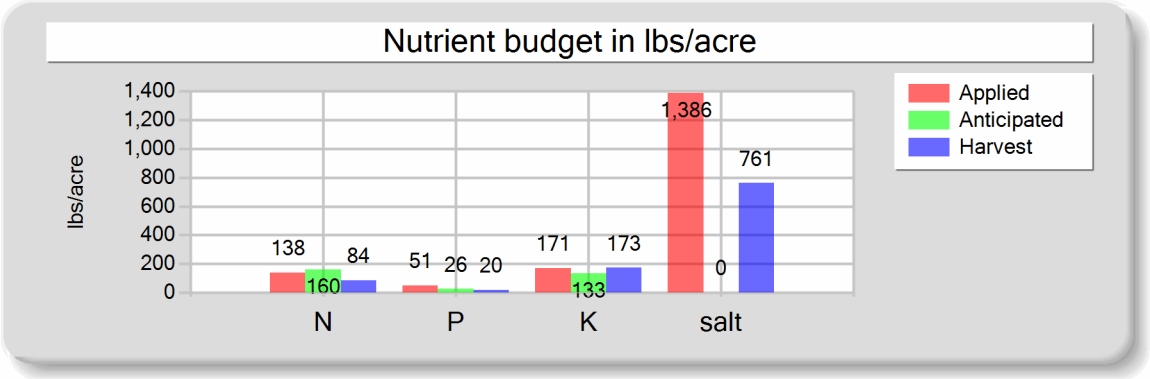

	Total N (lbs/acre)	Total P (lbs/acre)	Total K (lbs/acre)	Total salt (lbs/acre)
Existing soil nutrient content	0.00	0.00	0.00	0.00
Plowdown credit	0.00	0.00	0.00	0.00
Commercial fertilizer / Other	0.00	0.00	0.00	0.00
Dry manure	131.41	51.03	171.15	1,386.35
Process wastewater	0.00	0.00	0.00	0.00
Fresh water	0.00	0.00	0.00	0.00
Atmospheric deposition	7.00	0.00	0.00	0.00
Total nutrients applied	138.41	51.03	171.15	1,386.35
Anticipated crop nutrient removal	160.00	25.60	132.80	0.00
Actual crop nutrient removal	84.02	19.94	172.66	761.43
Nutrient balance	54.39	31.09	-1.51	624.92
Applied to removed ratio	1.65	2.56	0.99	1.82

Fresh water applied
0.00 *gallons*
0.00 *acre-inches*
0.00 *inches/acre*

Process wastewater applied
0.00 *gallons*
0.00 *acre-inches*
0.00 *inches/acre*

Total harvests for the crop
1 *harvests*

Field 10 (b) - 07/01/2023: Corn, silage

Field name: Field 10 (b) Crop: Corn, silage Plant date: 07/01/2023

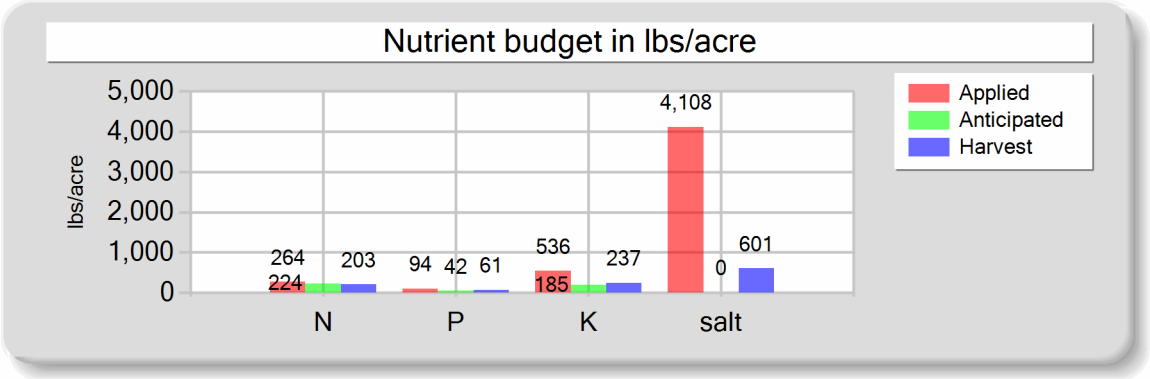

	Total N (lbs/acre)	Total P (lbs/acre)	Total K (lbs/acre)	Total salt (lbs/acre)
Existing soil nutrient content	0.00	0.00	0.00	0.00
Plowdown credit	0.00	0.00	0.00	0.00
Commercial fertilizer / Other	40.00	0.00	0.00	0.00
Dry manure	205.71	94.34	535.55	2,525.23
Process wastewater	0.00	0.00	0.00	0.00
Fresh water	11.52	0.00	0.00	1,583.15
Atmospheric deposition	7.00	0.00	0.00	0.00
Total nutrients applied	264.23	94.34	535.55	4,108.37
Anticipated crop nutrient removal	224.00	42.00	184.80	0.00
Actual crop nutrient removal	202.92	61.43	236.93	600.66
Nutrient balance	61.30	32.92	298.62	3,507.72
Applied to removed ratio	1.30	1.54	2.26	6.84

Fresh water applied	
24,048,000.00	*gallons*
885.61	*acre-inches*
32.80	*inches/acre*

Process wastewater applied	
0.00	*gallons*
0.00	*acre-inches*
0.00	*inches/acre*

Total harvests for the crop	
1	*harvests*

Field 11 - 01/01/2023: Pasture

Field name: Field 11 Crop: Pasture Plant date: 01/01/2023

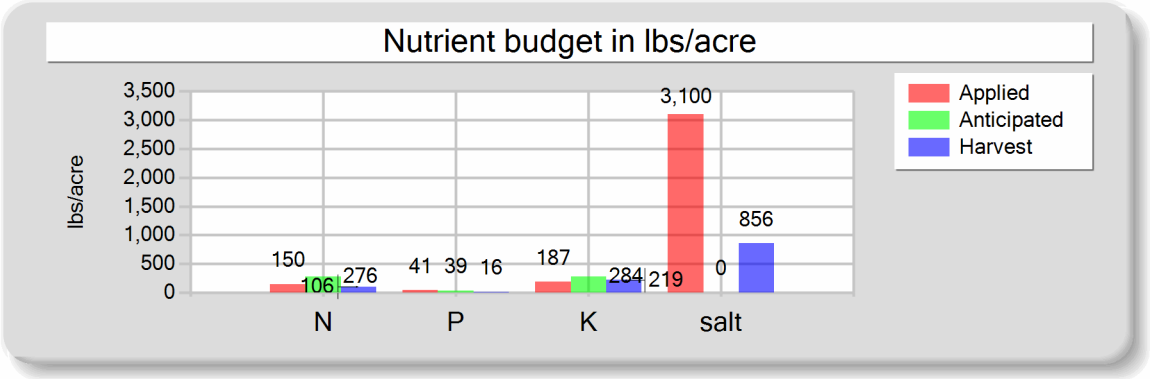

	Total N (lbs/acre)	Total P (lbs/acre)	Total K (lbs/acre)	Total salt (lbs/acre)
Existing soil nutrient content	0.00	0.00	0.00	0.00
Plowdown credit	0.00	0.00	0.00	0.00
Commercial fertilizer / Other	0.00	0.00	0.00	0.00
Dry manure	123.52	41.21	187.02	1,425.75
Process wastewater	0.00	0.00	0.00	0.00
Fresh water	12.23	0.00	0.00	1,673.85
Atmospheric deposition	14.00	0.00	0.00	0.00
Total nutrients applied	149.74	41.21	187.02	3,099.60
Anticipated crop nutrient removal	276.00	39.00	283.50	0.00
Actual crop nutrient removal	106.20	16.20	219.00	855.90
Nutrient balance	43.54	25.01	-31.98	2,243.70
Applied to removed ratio	1.41	2.54	0.85	3.62

Fresh water applied	
155,892,000.00	*gallons*
5,740.97	*acre-inches*
38.27	*inches/acre*

Process wastewater applied	
0.00	*gallons*
0.00	*acre-inches*
0.00	*inches/acre*

Total harvests for the crop	
1	*harvests*

NUTRIENT ANALYSES

A. MANURE ANALYSES

Corral Solids

Sample and source description: Corral Solids

Sample date: 09/12/2022 Material type: Corral solids Source of analysis: Lab analysis Method of reporting: Dry-weight

Moisture: 23.2 %

	Total N (mg/kg)	Total P (mg/kg)	Total K (mg/kg)	Calcium (mg/kg)	Magnesium (mg/kg)	Sodium (mg/kg)	Sulfur (mg/kg)	Chloride (mg/kg)	Total salt (mg/kg)	TFS (%)
Value	27,400.00	8,440.00	44,200.00							32.90
DL	100.00	100.00	100.00							0.01

Corral Solids

Sample and source description: Corral Solids

Sample date: 09/12/2022 Material type: Corral solids Source of analysis: Lab analysis Method of reporting: Dry-weight

Moisture: 61.0 %

	Total N (mg/kg)	Total P (mg/kg)	Total K (mg/kg)	Calcium (mg/kg)	Magnesium (mg/kg)	Sodium (mg/kg)	Sulfur (mg/kg)	Chloride (mg/kg)	Total salt (mg/kg)	TFS (%)
Value	29,100.00	11,300.00	37,900.00							30.70
DL	100.00	100.00	100.00							0.01

Corral Solids

Sample and source description: Corral Solids

Sample date: 09/12/2022 Material type: Corral solids Source of analysis: Lab analysis Method of reporting: Dry-weight

Moisture: 61.0 %

	Total N (mg/kg)	Total P (mg/kg)	Total K (mg/kg)	Calcium (mg/kg)	Magnesium (mg/kg)	Sodium (mg/kg)	Sulfur (mg/kg)	Chloride (mg/kg)	Total salt (mg/kg)	TFS (%)
Value	29,100.00	11,300.00	37,900.00							30.70
DL	100.00	100.00	100.00							0.01

Corral Solids

Sample and source description: Corral Solids

Sample date: 04/17/2023 Material type: Corral solids Source of analysis: Lab analysis Method of reporting: Dry-weight

Moisture: 46.8 %

	Total N (mg/kg)	Total P (mg/kg)	Total K (mg/kg)	Calcium (mg/kg)	Magnesium (mg/kg)	Sodium (mg/kg)	Sulfur (mg/kg)	Chloride (mg/kg)	Total salt (mg/kg)	TFS (%)
Value	29,000.00	13,300.00	75,500.00							35.60
DL	100.00	100.00	100.00							0.01

Corral Solids

Sample and source description: Corral Solids

Sample date: 10/09/2023 Material type: Corral solids Source of analysis: Lab analysis Method of reporting: Dry-weight

Moisture: 49.8 %

	Total N (mg/kg)	Total P (mg/kg)	Total K (mg/kg)	Calcium (mg/kg)	Magnesium (mg/kg)	Sodium (mg/kg)	Sulfur (mg/kg)	Chloride (mg/kg)	Total salt (mg/kg)	TFS (%)
Value	19,300.00	9,150.00	53,800.00							28.50
DL	100.00	100.00	100.00							0.01

B. PROCESS WASTEWATER ANALYSES

1QWW

Sample and source description: 1QWW

Sample date: 02/21/2023 Material type: Process wastewater Source of analysis: Lab analysis pH:

	Kjeldahl-N (mg/L)	NH4-N (mg/L)	NH3-N (mg/L)	Nitrate-N (mg/L)	Total P (mg/L)	Total K (mg/L)	Calcium (mg/L)	Magnes. (mg/L)	Sodium (mg/L)	Bicarb. (mg/L)	Carb. (mg/L)	Sulfate (mg/L)	Chloride (mg/L)	EC (µmhos/cm)	TDS (mg/L)
Value	412.00	260.00	0.00	0.00	76.90	704.00								5,410.00	5,180
DL	0.50	0.50	0.50	0.50	0.50	0.50								1.00	10

2QWW

Sample and source description: 2QWW

Sample date: 04/10/2023 Material type: Process wastewater Source of analysis: Lab analysis pH:

	Kjeldahl-N (mg/L)	NH4-N (mg/L)	NH3-N (mg/L)	Nitrate-N (mg/L)	Total P (mg/L)	Total K (mg/L)	Calcium (mg/L)	Magnes. (mg/L)	Sodium (mg/L)	Bicarb. (mg/L)	Carb. (mg/L)	Sulfate (mg/L)	Chloride (mg/L)	EC (µmhos/cm)	TDS (mg/L)
Value	518.00	319.00	0.00	0.00	34.90	494.00								5,650.00	4,260
DL	0.50	0.50	0.50	0.50	0.50	0.50								1.00	10

3QWW

Sample and source description: 3QWW

Sample date: 07/26/2023 Material type: Process wastewater Source of analysis: Lab analysis pH:

	Kjeldahl-N (mg/L)	NH4-N (mg/L)	NH3-N (mg/L)	Nitrate-N (mg/L)	Total P (mg/L)	Total K (mg/L)	Calcium (mg/L)	Magnes. (mg/L)	Sodium (mg/L)	Bicarb. (mg/L)	Carb. (mg/L)	Sulfate (mg/L)	Chloride (mg/L)	EC (µmhos/cm)	TDS (mg/L)
Value	286.00	216.00	0.00	0.00	33.10	408.00								4,030.00	2,320
DL	0.50	0.50	0.50	0.50	0.50	0.50								1.00	10

4QWW

Sample and source description: 4QWW

Sample date: 10/30/2023 Material type: Process wastewater Source of analysis: Lab analysis pH:

	Kjeldahl-N (mg/L)	NH4-N (mg/L)	NH3-N (mg/L)	Nitrate-N (mg/L)	Total P (mg/L)	Total K (mg/L)	Calcium (mg/L)	Magnes. (mg/L)	Sodium (mg/L)	Bicarb. (mg/L)	Carb. (mg/L)	Sulfate (mg/L)	Chloride (mg/L)	EC (µmhos/cm)	TDS (mg/L)
Value	300.00	207.00	0.00	0.00	63.60	355.00								3,710.00	2,780
DL	0.50	0.50	0.50	0.50	0.50	0.50								1.00	10

C. FRESH WATER ANALYSES

IW 1

IW 1

Fresh Water

Sample description: Fresh Water

Sample date: 08/31/2023 Source of analysis: Lab analysis

	Total N (mg/L)	NH4-N (mg/L)	Nitrate-N (mg/L)	Calcium (mg/L)	Magnesium (mg/L)	Sodium (mg/L)	Bicarbonate (mg/L)	Carbonate (mg/L)	Sulfate (mg/L)	Chloride (mg/L)	EC (µmhos/cm)	TDS (mg/L)
Value	2.67	0.00	2.60								373.00	253
DL	0.50	0.50	0.50								1.00	10

IW 3

Fresh Water

Sample description: Fresh Water

Sample date: 08/31/2023 Source of analysis: Lab analysis

	Total N (mg/L)	NH4-N (mg/L)	Nitrate-N (mg/L)	Calcium (mg/L)	Magnesium (mg/L)	Sodium (mg/L)	Bicarbonate (mg/L)	Carbonate (mg/L)	Sulfate (mg/L)	Chloride (mg/L)	EC (µmhos/cm)	TDS (mg/L)
Value	11.00	0.00	10.50								446.00	303
DL	0.50	0.50	0.50								1.00	10

IW 4

Fresh Water

Sample description: Fresh Water

Sample date: 08/31/2023 Source of analysis: Lab analysis

	Total N (mg/L)	NH4-N (mg/L)	Nitrate-N (mg/L)	Calcium (mg/L)	Magnesium (mg/L)	Sodium (mg/L)	Bicarbonate (mg/L)	Carbonate (mg/L)	Sulfate (mg/L)	Chloride (mg/L)	EC (µmhos/cm)	TDS (mg/L)
Value	5.00	0.00	3.80								322.00	240
DL	0.50	0.50	0.50								1.00	10

IW Carter North

IW Carter North

Fresh Water

Sample description: Fresh Water

Sample date: 08/31/2023 Source of analysis: Lab analysis

	Total N (mg/L)	NH4-N (mg/L)	Nitrate-N (mg/L)	Calcium (mg/L)	Magnesium (mg/L)	Sodium (mg/L)	Bicarbonate (mg/L)	Carbonate (mg/L)	Sulfate (mg/L)	Chloride (mg/L)	EC (µmhos/cm)	TDS (mg/L)
Value	1.41	0.00	1.20								226.00	193
DL	0.50	0.50	0.50								1.00	10

IW Carter South

Fresh Water

Sample description: Fresh Water

Sample date: 08/31/2023 Source of analysis: Lab analysis

	Total N (mg/L)	NH4-N (mg/L)	Nitrate-N (mg/L)	Calcium (mg/L)	Magnesium (mg/L)	Sodium (mg/L)	Bicarbonate (mg/L)	Carbonate (mg/L)	Sulfate (mg/L)	Chloride (mg/L)	EC (µmhos/cm)	TDS (mg/L)
Value	1.55	0.00	1.20								246.00	213
DL	0.50	0.50	0.50								1.00	10

D. SOIL ANALYSES

1

Soils

Sample and source description: Soils

Sample date: 12/05/2023 Source of analysis: Lab analysis

	Nitrate-N (mg/kg)	Total P (mg/kg)	Soluble P (mg/kg)	K (mg/kg)	EC (µmhos/cm)	Organic matter (%)	Total salt (mg/kg)
Value			61.00				
DL			4.00				

2

Soils

Sample and source description: Soils

Sample date: 12/05/2023 Source of analysis: Lab analysis

	Nitrate-N (mg/kg)	Total P (mg/kg)	Soluble P (mg/kg)	K (mg/kg)	EC (µmhos/cm)	Organic matter (%)	Total salt (mg/kg)
Value			60.00				
DL			4.00				

3

Soils

Sample and source description: Soils

Sample date: 12/05/2023 Source of analysis: Lab analysis

	Nitrate-N (mg/kg)	Total P (mg/kg)	Soluble P (mg/kg)	K (mg/kg)	EC (µmhos/cm)	Organic matter (%)	Total salt (mg/kg)
Value			55.00				
DL			4.00				

4

Soils

Sample and source description: Soils

Sample date: 12/05/2023 Source of analysis: Lab analysis

	Nitrate-N (mg/kg)	Total P (mg/kg)	Soluble P (mg/kg)	K (mg/kg)	EC (µmhos/cm)	Organic matter (%)	Total salt (mg/kg)
Value			48.00				
DL			4.00				

5

5

Soils

Sample and source description: Soils

Sample date: 12/05/2023 Source of analysis: Lab analysis

	Nitrate-N (mg/kg)	Total P (mg/kg)	Soluble P (mg/kg)	K (mg/kg)	EC (µmhos/cm)	Organic matter (%)	Total salt (mg/kg)
Value			66.00				
DL			4.00				

6

Soils

Sample and source description: Soils

Sample date: 12/05/2023 Source of analysis: Lab analysis

	Nitrate-N (mg/kg)	Total P (mg/kg)	Soluble P (mg/kg)	K (mg/kg)	EC (µmhos/cm)	Organic matter (%)	Total salt (mg/kg)
Value			52.00				
DL			4.00				

Field 10 (b)

Soils

Sample and source description: Soils

Sample date: 12/05/2023 Source of analysis: Lab analysis

	Nitrate-N (mg/kg)	Total P (mg/kg)	Soluble P (mg/kg)	K (mg/kg)	EC (µmhos/cm)	Organic matter (%)	Total salt (mg/kg)
Value			57.00				
DL			4.00				

Field 11

Field 11

Soils

Sample and source description: Soils

Sample date: 12/05/2023 Source of analysis: Lab analysis

	Nitrate-N (mg/kg)	Total P (mg/kg)	Soluble P (mg/kg)	K (mg/kg)	EC (µmhos/cm)	Organic matter (%)	Total salt (mg/kg)
Value			15.00				
DL			4.00				

E. PLANT TISSUE ANALYSES

1 - 10/29/2022: Oats, silage-soft dough

Forage

Sample and source description: Forage

Sample date: 05/09/2023 Source of analysis: Lab analysis Method of reporting: As-is

Moisture: 69.8 %

	Total N (mg/kg)	Total P (mg/kg)	Total K (mg/kg)	Total salt (mg/kg)	TFS (%)
Value	3,500.00	1,030.00	13,100.00		9.12
DL	100.00	100.00	100.00		0.01

1 - 06/09/2023: Corn, silage

Corn Silage

Sample and source description: Corn Silage

Sample date: 10/09/2023 Source of analysis: Lab analysis Method of reporting: As-is

Moisture: 59.6 %

	Total N (mg/kg)	Total P (mg/kg)	Total K (mg/kg)	Total salt (mg/kg)	TFS (%)
Value	4,690.00	900.00	7,600.00		8.50
DL	100.00	100.00	100.00		0.01

2 - 10/29/2022: Oats, silage-soft dough

Forage

Sample and source description: Forage

Sample date: 05/09/2023 Source of analysis: Lab analysis Method of reporting: As-is

Moisture: 74.0 %

	Total N (mg/kg)	Total P (mg/kg)	Total K (mg/kg)	Total salt (mg/kg)	TFS (%)
Value	4,340.00	1,140.00	13,200.00		10.30
DL	100.00	100.00	100.00		0.01

2 - 06/05/2023: Corn, silage

Corn Silage

Sample and source description: Corn Silage

Sample date: 10/02/2023 Source of analysis: Lab analysis Method of reporting: As-is

Moisture: 71.6 %

	Total N (mg/kg)	Total P (mg/kg)	Total K (mg/kg)	Total salt (mg/kg)	TFS (%)
Value	3,350.00	1,030.00	4,840.00		3.30
DL	100.00	100.00	100.00		0.01

3 - 10/14/2020: Alfalfa, hay

Alfalfa

Sample and source description: Alfalfa

Sample date: 12/14/2022 Source of analysis: Lab analysis Method of reporting: As-is

Moisture: 10.6 %

	Total N (mg/kg)	Total P (mg/kg)	Total K (mg/kg)	Total salt (mg/kg)	TFS (%)
Value	23,800.00	3,650.00	37,300.00		10.50
DL	100.00	100.00	100.00		0.01

4 - 10/31/2022: Oats, silage-soft dough

Forage

Sample and source description: Forage

Sample date: 05/09/2023 Source of analysis: Lab analysis Method of reporting: As-is

Moisture: 71.0 %

	Total N (mg/kg)	Total P (mg/kg)	Total K (mg/kg)	Total salt (mg/kg)	TFS (%)
Value	2,840.00	780.00	10,500.00		10.50
DL	100.00	100.00	100.00		0.01

4 - 06/07/2023: Corn, silage

Corn Silage

Sample and source description: Corn Silage

Sample date: 10/02/2023 Source of analysis: Lab analysis Method of reporting: As-is

Moisture: 69.2 %

	Total N (mg/kg)	Total P (mg/kg)	Total K (mg/kg)	Total salt (mg/kg)	TFS (%)
Value	3,170.00	1,280.00	5,370.00		5.20
DL	100.00	100.00	100.00		0.01

5 - 10/30/2022: Oats, silage-soft dough

Forage

Sample and source description: Forage

Sample date: 05/09/2023 Source of analysis: Lab analysis Method of reporting: As-is

Moisture: 72.6 %

	Total N (mg/kg)	Total P (mg/kg)	Total K (mg/kg)	Total salt (mg/kg)	TFS (%)
Value	4,690.00	1,180.00	14,700.00		8.99
DL	100.00	100.00	100.00		0.01

5 - 06/05/2023: Corn, silage

Corn Silage

Sample and source description: Corn Silage

Sample date: 10/02/2023 Source of analysis: Lab analysis Method of reporting: As-is

Moisture: 74.8 %

	Total N (mg/kg)	Total P (mg/kg)	Total K (mg/kg)	Total salt (mg/kg)	TFS (%)
Value	2,870.00	820.00	4,920.00		4.40
DL	100.00	100.00	100.00		0.01

6 - 10/30/2022: Oats, silage-soft dough

Forage

Sample and source description: Forage

Sample date: 05/09/2023 Source of analysis: Lab analysis Method of reporting: As-is

Moisture: 73.8 %

	Total N (mg/kg)	Total P (mg/kg)	Total K (mg/kg)	Total salt (mg/kg)	TFS (%)
Value	5,420.00	1,390.00	14,900.00		11.30
DL	100.00	100.00	100.00		0.01

6 - 06/06/2023: Corn, silage

Corn Silage

Sample and source description: Corn Silage

Sample date: 10/02/2023 Source of analysis: Lab analysis Method of reporting: As-is

Moisture: 70.4 %

	Total N (mg/kg)	Total P (mg/kg)	Total K (mg/kg)	Total salt (mg/kg)	TFS (%)
Value	3,700.00	1,120.00	4,320.00		3.70
DL	100.00	100.00	100.00		0.01

Field 10 (a) - 07/01/2022: Sudangrass, silage

Sudan

Sample and source description: Sudan

Sample date: 11/04/2022 Source of analysis: Lab analysis Method of reporting: As-is

Moisture: 78.6 %

	Total N (mg/kg)	Total P (mg/kg)	Total K (mg/kg)	Total salt (mg/kg)	TFS (%)
Value	3,380.00	1,040.00	4,980.00		14.70
DL	100.00	100.00	100.00		0.01

Field 10 (a) - 11/01/2022: Oats, silage-soft dough

Forage

Sample and source description: Forage

Sample date: 09/08/2023 Source of analysis: Lab analysis Method of reporting: As-is

Moisture: 68.5 %

	Total N (mg/kg)	Total P (mg/kg)	Total K (mg/kg)	Total salt (mg/kg)	TFS (%)
Value	2,360.00	560.00	4,850.00		6.79
DL	100.00	100.00	100.00		0.01

Field 10 (b) - 07/01/2023: Corn, silage

Corn Silage

Sample and source description: Corn Silage

Sample date: 10/02/2023 Source of analysis: Lab analysis Method of reporting: As-is

Moisture: 70.4 %

	Total N (mg/kg)	Total P (mg/kg)	Total K (mg/kg)	Total salt (mg/kg)	TFS (%)
Value	3,700.00	1,120.00	4,320.00		3.70
DL	100.00	100.00	100.00		0.01

Field 11 - 01/01/2023: Pasture

Pasture

Sample and source description: Pasture

Sample date: 09/08/2023 Source of analysis: Lab analysis Method of reporting: As-is

Moisture: 70.0 %

	Total N (mg/kg)	Total P (mg/kg)	Total K (mg/kg)	Total salt (mg/kg)	TFS (%)
Value	3,540.00	540.00	7,300.00		9.51
DL	100.00	100.00	100.00		0.01

F. SUBSURFACE (TILE) DRAINAGE ANALYSES

No subsurface (tile) drainage analyses entered.

NUTRIENT APPLICATIONS, POTENTIAL REMOVAL, AND BALANCE

A. SUMMARY OF NUTRIENT APPLICATIONS, POTENTIAL REMOVAL, AND BALANCE

	Total N (lbs)	Total P (lbs)	Total K (lbs)	Total salt (lbs)
Existing soil nutrient content	0.00	0.00	0.00	0.00
Plowdown credit	0.00	0.00	0.00	0.00
Commercial fertilizer / Other	2,712.00	0.00	0.00	0.00
Dry manure	54,220.44	21,082.25	93,809.88	615,982.32
Process wastewater	74,990.01	9,339.75	103,284.47	720,989.22
Fresh water	10,876.96	0.00	0.00	745,834.74
Atmospheric deposition	6,335.00	0.00	0.00	0.00
Total nutrients applied	149,134.41	30,422.00	197,094.35	2,082,806.28
Anticipated crop nutrient removal	163,228.00	25,526.20	144,195.80	0.00
Actual crop nutrient removal	114,827.75	29,379.87	235,274.73	706,134.53
Nutrient balance	34,306.67	1,042.13	-38,180.37	1,376,671.74
Applied to removed ratio	1.30	1.04	0.84	2.95

B. POUNDS OF NUTRIENT APPLIED VS. CROP REMOVAL

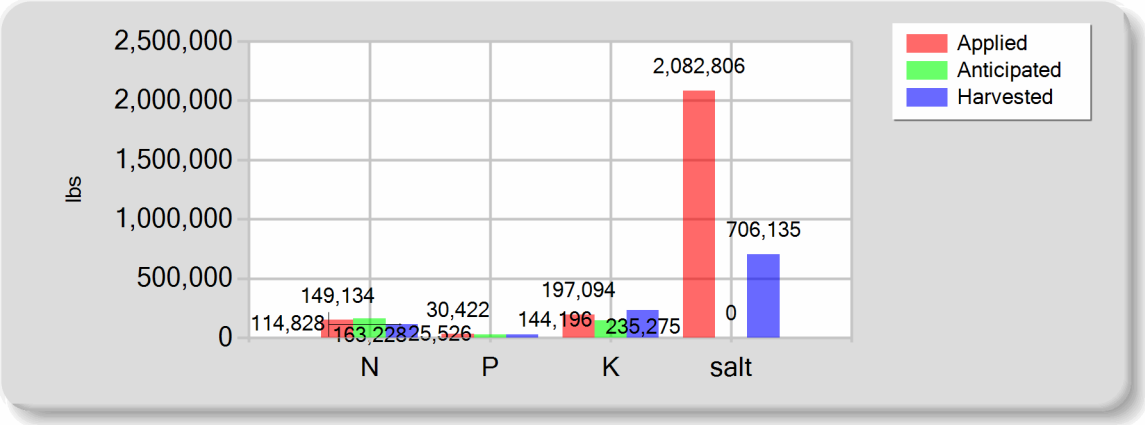

C. POUNDS OF NUTRIENT APPLIED BY MATERIAL TYPE

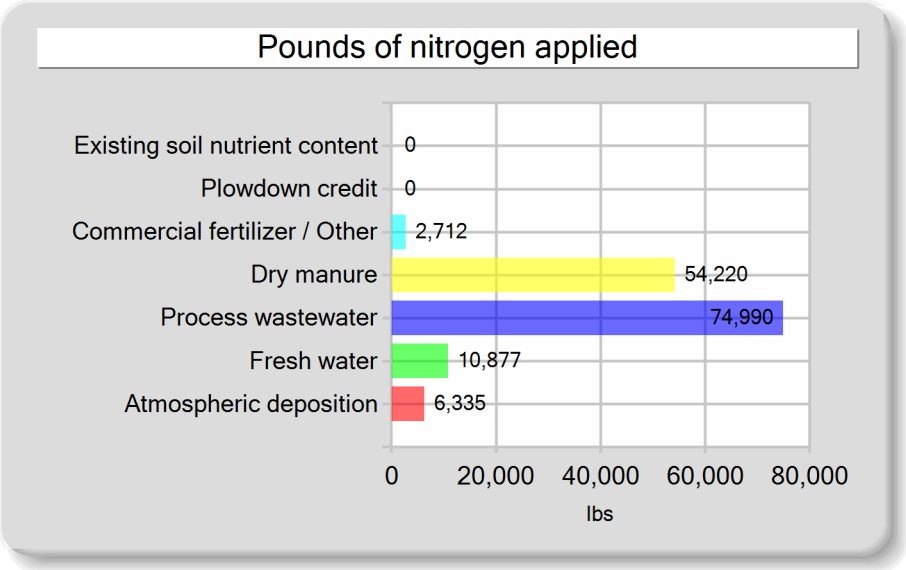

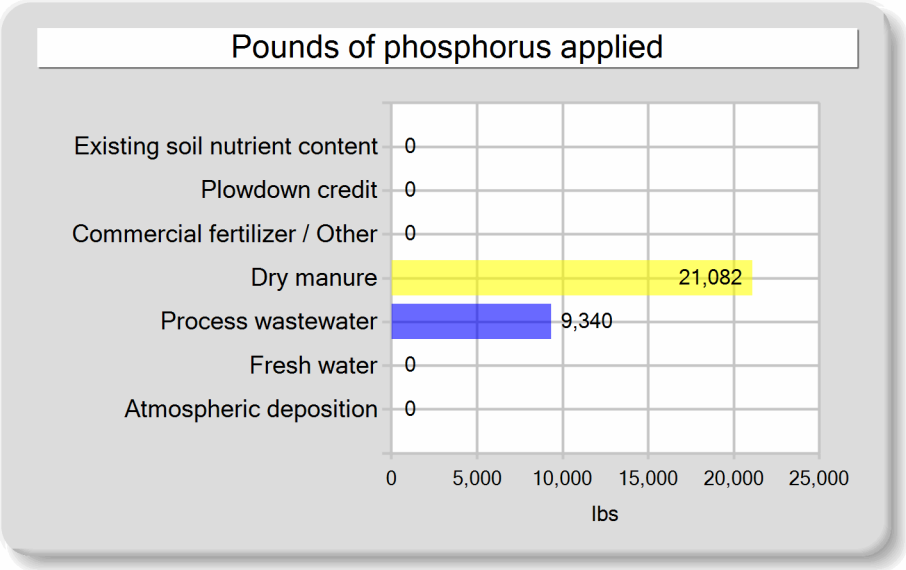

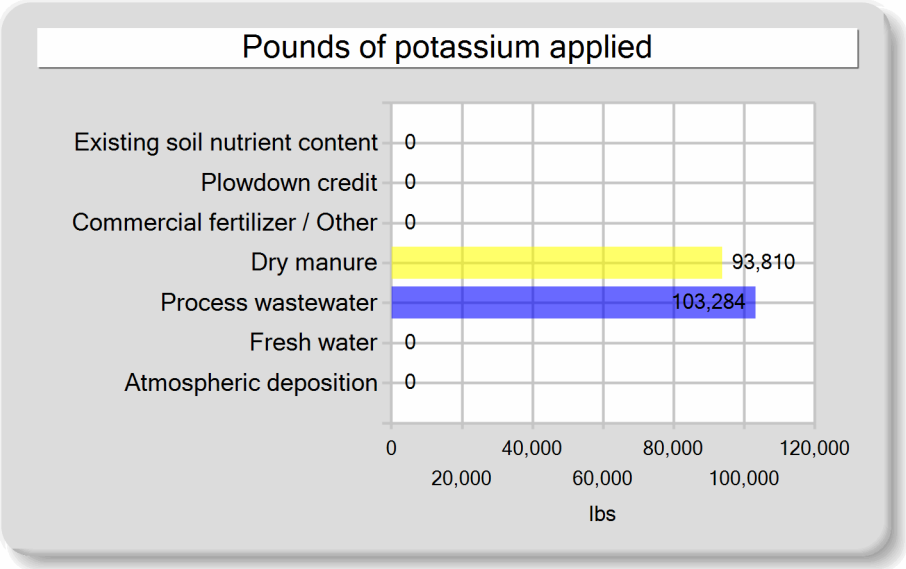

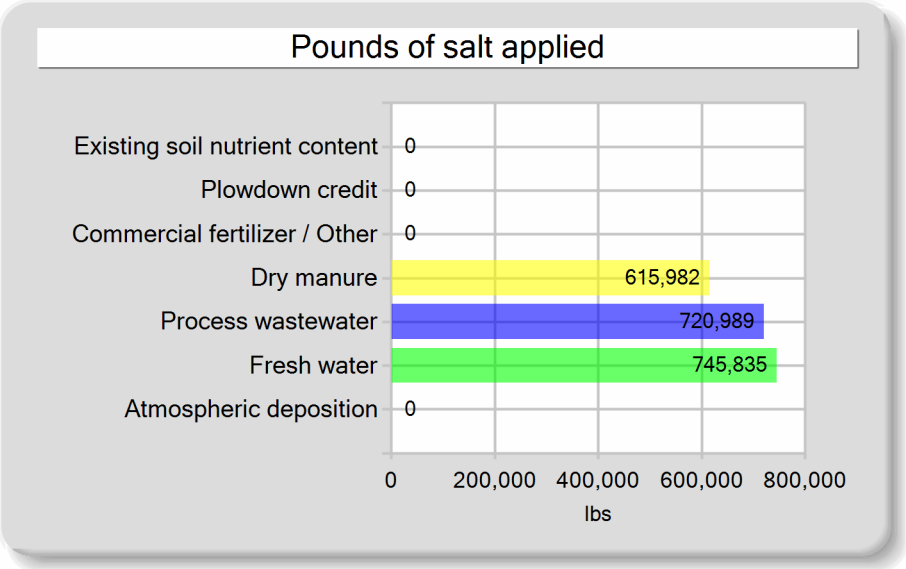

EXCEPTION REPORTING

A. MANURE, PROCESS WASTEWATER, AND OTHER DAIRY WASTE DISCHARGES

The following is a summary of all manure and process wastewater discharges from the production area to surface water or to land areas (land application areas or otherwise) when not in accordance with the facility's Nutrient Management Plan.

No manure or process wastewater discharges occurred during the reporting period.

B. STORM WATER DISCHARGES

The following is a summary of all storm water discharges from the production area to surface water during the reporting period when not in accordance with the facility 's Nutrient Management Plan.

No stormwater discharges occurred during the reporting period.

C. LAND APPLICATION AREA TO SURFACE WATER DISCHARGES

The following is a summary of all discharges from the land application area to surface water that have occurred during the reporting period when not in accordance with the facility's Nutrient Management Plan.

No land application area to surface water discharges occurred during the reporting period.

NUTRIENT MANAGEMENT PLAN AND EXPORT AGREEMENT STATEMENTS

A. NUTRIENT MANAGEMENT PLAN STATEMENTS

Was the facility's NMP updated in the reporting period?	Yes
Was the facility's NMP developed by a certified nutrient management planner (specialist) as specified in Attachment C of the General Order?	Yes
Was the facility's NMP approved by a certified nutrient management planner (specialist) as specified in Attachment C of the General Order?	Yes

B. EXPORT AGREEMENT STATEMENT

Are there any written agreements with third parties to receive manure or process wastewater that are new or were revised within the reporting period?	No

ADDITIONAL NOTES

A. NOTES

Field 10A Oats (1.67) and Field 10B Oats (1.65) both had high field ratios as fields failed to meet anticipated nitrogen removal of 160 pounds/acre. The subject fields removed 84 pounds of nitrogen/acre. Yields for the fields were adequate however a low nitrogen value from the plant tissue lab analysis resulted in only 4.72 pounds of nitrogen removed per harvested ton compared to the anticipated 10 pounds of nitrogen removed per harvested ton which ultimately led to the high nitrogen field ratio. Nitrogen application to the fields was not considered excessive but in-line with that recommended in the dairy's nutrient management plan.

Field 10A Sudan (1.47) had a high nitrogen field ratio as field failed to meet anticipated nitrogen removal of 220 pounds/acre. The subject field removed only 156.2 pounds of nitrogen/acre. Yield for the field was adequate however a low nitrogen value from the plant tissue lab analysis resulted in only 6.76 pounds of nitrogen removed per harvested ton compared to the anticipated 11 pounds of nitrogen removed per harvested ton which ultimately led to the high nitrogen field ratio. Nitrogen application to the field was not considered excessive but in-line with that recommended in the dairy's nutrient management plan.

CERTIFICATION

A. OWNER AND/OR OPERATOR CERTIFICATION

I certify under penalty of law that I have personally examined and am familiar with the information submitted in this document and all attachments and that, based on my inquiry of those individuals immediately responsible for obtaining the information, I believe that the information is true, accurate, and complete. I am aware that there are significant penalties for submitting false information, including the possibility of fine and imprisonment.

Ronald Prins
Ronald Prins (Jun 13, 2024 12:40 PDT)

SIGNATURE OF OWNER OF FACILITY	SIGNATURE OF OPERATOR OF FACILITY
Ron Prins	SAME AS OWNER
PRINT OR TYPE NAME	PRINT OR TYPE NAME
Jun 13, 2024	
DATE	DATE

ATTACHMENTS

A. REQUIRED ATTACHMENTS

The following lists the required documents that should be attached to the Annual Report when submitted .

Annual Dairy Facility Assessment
Provide an Annual Dairy Facility Assessment (an update to the Preliminary Dairy Facility Assessment in Attachment A) for each reporting period. On the PDFA Final page, click on the ADFA Report button to generate an ADFA report after updating information as needed .

Manure/Process Wastewater Tracking Manifests
Provide copies of all manure/process wastewater tracking manifests for the reporting period, signed by both the owner/operator and the hauler.

Corrective Actions Documents
Provide records documenting any corrective actions taken to correct deficiencies noted as a result of the inspections required in the Monitoring Requirements of the General Order. Deficiencies not corrected in 30 days must be accompanied by an explanation of the factors preventing immediate correction.

Groundwater Monitoring
Dischargers that monitor supply wells or subsurface (tile) drainage systems, or that have monitoring well systems must submit monitoring results as directed in the General Order, Groundwater Reporting Section starting on page MRP-13.

Storm Water Monitoring
Dischargers that are required to monitor storm water more frequently than required in the General Order must submit monitoring results as directed in the General Order, Storm Water Reporting Section on page MRP-14.

DELLAVALLE™
LABORATORY INC

E & R Prins/Prins Heifer
9863 S Van Allen
Stockton, CA 95215

Account# 00-0026174
Account Manager: Scott Sakamoto
Submitted By: Jeanette Sawyer

Received: 08/31/2023 15:45
Reported: 09/06/2023 15:32

Samples in this Report

Lab ID	Sample	Matrix	Sampled By	Crop	Date Sampled
23H2465-01	DW Cody's	Drinking Water			08/31/2023 6:30
23H2465-02	DW Dairy 1 Barn	Drinking Water			08/31/2023 6:30
23H2465-03	DW Dairy 2 Barn	Drinking Water			08/31/2023 6:30
23H2465-04	DW Skiff House	Drinking Water			08/31/2023 6:30

Default Cooler Temperature on Receipt °C: 1.8
Containers Intact
COC/Labels Agree
Preservation Confirmed
Received On Ice

Notes and Definitions

Item	Definition
H	Hold Time Exceeded
MCL	Drinking Water Maximum Contaminant Level
ND	Analyte NOT DETECTED at or above the reporting limit.
NES	Not Enough Sample
*	Not Taken
RPD	Relative Percent Difference
%REC	Percent Recovery
Source	Sample that was matrix spiked or duplicated.

Scott McFriedland

Laboratory Director/Technical Manager

ELAP Certification #1595
A2LA Certification #6440.02

The results in this report apply to the samples as received and were analyzed in accordance with the chain of custody document. This analytical report must be reproduced in its entirety. All results listed in this report are for the exclusive use of the submitting party. Dellavalle Laboratory, Inc. assumes no responsibility for report alteration, separation, detachment or third party interpretation.

DELLAVALLE™
LABORATORY INC

E & R Prins/Prins Heifer
9863 S Van Allen
Stockton, CA 95215

Account# 00-0026174
Account Manager: Scott Sakamoto
Submitted By: Jeanette Sawyer

Received: 08/31/2023 15:45
Reported: 09/06/2023 15:32

Sample Results
(Continued)

Sample: DW Dairy 1 Barn
23H2465-02 (Water)

Sampled: 8/31/2023 6:30
Sampled By:

Analyte	Result	Units	Reporting Limit	DIL	DW MCL	Date/Time Analyzed	Method	Notes	Batch
Electrical Conductivity	**0.48**	mmhos/cm	0.01	1		09/01/23 10:16	SM 2510 B		BEH1489
Electrical Conductivity umhos	**480**	umhos/cm	10.0	1		09/01/23 10:16	SM 2510 B		BEH1489
Ammonia (as N)	*	mg/L	0.00	1		08/31/23 06:30	Field		BEI0109
Nitrate Nitrogen as NO3N	**5.2**	mg/L	0.1	1	10	08/31/23 21:31	EPA 300.0		BEH1478
pH	**7.8**	units	1.0	1		09/01/23 10:16	SM 4500-H+	H	BEH1489
Temperature	**25.0**	°C	0.0	1		09/01/23 10:16	SM 2510 B		BEH1489
Kjeldahl Nitrogen (TKN), Total	ND	mg/L	1.00	1		09/05/23 16:02	SM 4500-NH3 C		BEI0014
Total Nitrogen	**5.32**	mg/L	1.00	1		09/05/23 16:02	SM 4500-NH3 C		BEI0014

The results in this report apply to the samples as received and were analyzed in accordance with the chain of custody document. This analytical report must be reproduced in its entirety. All results listed in this report are for the exclusive use of the submitting party. Dellavalle Laboratory, Inc. assumes no responsibility for report alteration, separation, detachment or third party interpretation.

DELLAVALLE™
LABORATORY INC

E & R Prins/Prins Heifer
9863 S Van Allen
Stockton, CA 95215

Account# 00-0026174
Account Manager: Scott Sakamoto
Submitted By: Jeanette Sawyer

Received: 08/31/2023 15:45
Reported: 09/06/2023 15:32

Sample Results
(Continued)

Sample: DW Skiff House
23H2465-04 (Water)

Sampled: 8/31/2023 6:30
Sampled By:

Analyte	Result	Units	Reporting Limit	DIL	DW MCL	Date/Time Analyzed	Method	Notes	Batch
Electrical Conductivity	**0.48**	mmhos/cm	0.01	1		09/01/23 10:19	SM 2510 B		BEH1492
Electrical Conductivity umhos	**480**	umhos/cm	10.0	1		09/01/23 10:19	SM 2510 B		BEH1492
Ammonia (as N)	*	mg/L	0.00	1		08/31/23 06:30	Field		BEI0109
Nitrate Nitrogen as NO3N	**3.5**	mg/L	0.1	1	10	08/31/23 22:11	EPA 300.0		BEH1478
pH	**8.0**	units	1.0	1		09/01/23 10:19	SM 4500-H+	H	BEH1492
Temperature	**25.0**	°C	0.0	1		09/01/23 10:19	SM 2510 B		BEH1492
Kjeldahl Nitrogen (TKN), Total	ND	mg/L	1.00	1		09/05/23 16:05	SM 4500-NH3 C		BEI0014
Total Nitrogen	**3.58**	mg/L	1.00	1		09/05/23 16:05	SM 4500-NH3 C		BEI0014

The results in this report apply to the samples as received and were analyzed in accordance with the chain of custody document. This analytical report must be reproduced in its entirety. All results listed in this report are for the exclusive use of the submitting party. Dellavalle Laboratory, Inc. assumes no responsibility for report alteration, separation, detachment or third party interpretation.

08/31/23 15:45 23H2465

DELLAVALLE LABORATORY, INC.

1910 W. McKinley Avenue, Suite 110 • Fresno, CA 93728
www.dellavallelab.com 559 233-6129 · 800 228-9896 · Fax 559 268-8174

Purchase Order No: 261 140 | Bill To: Acct # 13 | Cons # NWS 8/31/23

No. Samples: 4 | No of Bottles: 8

Results Need By

Name: E&R Prins

Address: 9863 S. Van Allen

City: Stockton State: CA Zip: 95215

Telephone: 209 838-1627 Fax:

Cell/Email: Jeanette: (209) 584-6811

COPY TO: F&A Ag Services
& JSawyer@Fragservices.com

REQUESTED BY: Jeanette Sawyer

PROJECT:

CROP:

Water Type: [ ] Drinking Water [ ] Wastewater
[ ] Ag Water [ ] Groundwater [ ] Monitoring Well

Other:

Analysis and Bottles Required: (*Please indicate Analysis*)

DWW1 + TU

Kara 9/1/23 10:18 - emailed Jeanette asking to call
14:55 - per Scotty, Jeanette called him, provided J's phone # to call her ~~planned & given her results~~ -KP 9/1/23

[ ] Co. Health Dept 15:15 - per Jeanette, ok & that

[ ] RWQCB [ ] Copy of Chain

[ ] State Forms [ ] QA/QC Documents

Sampled By:

	Description of Samples	Date Sampled	Time Sampled	Rec'd Temp °C	Field EC
0030	DW Cody's	8/31/23	start 6:30 AM	1.8	
15.2	David 1 Barn			9.8	
5.2	David 2 Barn			-0.9	
1.5	SK Office House			-0.1	
3.5					
5					
6					
7					
8					
9					
10					

IR Thermometer SN: 200560723
Correction Factor: 0°C
Calibration Due: 9/26/2023
Location: Laboratory

CHAIN OF CUSTODY

Carrier	Signature	Company	Received (Date/Time)	Relinquished (Date/Time)
First	Jeanette Sawyer	F&R Ag Services		
Second	JLF	DLV	8-31-23 1:18	8-31-23 3:42
Third				
Fourth		DVI	8/31 15:45	

I guarantee that as the client, or on behalf of client named, I have the authority to contract the above requested services. Should it be found that I do not have such authority, I agree to be personally liable for all costs and, if there should be action against me for this breach, reasonable attorneys' fees. It is understood that payment is expected to be cash with samples unless terms have been previously arranged. Terms are net 30 days; overdue accounts will be charged a liquidated damage fee of 2% per month (annually 24%) or $5.00 per month whichever is greater.

If payment is not made when due and a legitimate dispute exists concerning the product or services of Dellavalle Laboratory, Inc., it will be submitted to mediation under the Rules and Procedures of Creative Alternative to Litigation, Inc. (*cal*). If the dispute is not resolved in mediation, then the dispute will be submitted to binding arbitration through *cal* under its Rules and Procedures. The parties will equally bear the costs of mediation/arbitration. If, however, the mediator declares that no legitimate dispute exists, then debtor will pay all mediation and arbitration costs, and in the event of arbitration, reasonable attorneys' fees of Dellavalle Laboratory.

Invoicing Information:

Sampling hrs
Miles
Consulting

Shipping
$ In
$ Out

Amt Paid	Rec By	Check #	Date

Signature

Sample received in cooler with ice (coolant)
[ ] Yes [ ] No

DELLAVALLE™
LABORATORY INC

E & R Prins/Prins Heifer
9863 S Van Allen
Stockton, CA 95215

Account# 00-0026174
Account Manager: Scott Sakamoto
Submitted By: Jeanette Sawyer

Received: 08/31/2023 15:45
Reported: 09/07/2023 14:57

Samples in this Report

Lab ID	Sample	Matrix	Sampled By	Crop	Date Sampled
23H2493-01	IW 1	Canal Water			08/31/2023 6:30
23H2493-02	IW 2	Canal Water			08/31/2023 6:30
23H2493-03	IW 3	Canal Water			08/31/2023 6:30
23H2493-04	IW 4	Canal Water			08/31/2023 6:30
23H2493-05	IW 5 Morris	Canal Water			08/31/2023 6:30
23H2493-06	IW Carter North	Canal Water			08/31/2023 6:30
23H2493-07	IW Carter South	Canal Water			08/31/2023 6:30
23H2493-08	IW Cody's	Canal Water			08/31/2023 6:30
23H2493-09	IW Creek	Canal Water			08/31/2023 6:30

Default Cooler Temperature on Receipt °C: 0.3

Containers Intact
COC/Labels Agree
Preservation Confirmed
Received On Ice

Notes and Definitions

Item	Definition
H	Hold Time Exceeded
MCL	Drinking Water Maximum Contaminant Level
ND	Analyte NOT DETECTED at or above the reporting limit.
NES	Not Enough Sample
*	Not Taken
RPD	Relative Percent Difference
%REC	Percent Recovery
Source	Sample that was matrix spiked or duplicated.

Scott McFriedland

Laboratory Director/Technical Manager

ELAP Certification #1595
A2LA Certification #6440.02

The results in this report apply to the samples as received and were analyzed in accordance with the chain of custody document. This analytical report must be reproduced in its entirety. All results listed in this report are for the exclusive use of the submitting party. Dellavalle Laboratory, Inc. assumes no responsibility for report alteration, separation, detachment or third party interpretation.

1910 W. McKinley Ave Suite 110 Fresno, CA 93728 559-233-6129 www.dellavallelab.com

DELLAVALLE™
LABORATORY INC

E & R Prins/Prins Heifer
9863 S Van Allen
Stockton, CA 95215

Account# 00-0026174
Account Manager: Scott Sakamoto
Submitted By: Jeanette Sawyer

Received: 08/31/2023 15:45
Reported: 09/07/2023 14:57

Sample Results

Sample: IW 1
23H2493-01 (Water)

Sampled: 8/31/2023 6:30
Sampled By:

Analyte	Result	Units	Reporting Limit	DIL	DW MCL	Date/Time Analyzed	Method	Notes	Batch
Electrical Conductivity	**0.37**	mmhos/cm	0.01	1		09/01/23 10:43	SM 2510 B		BEI0003
Electrical Conductivity umhos	**373**	umhos/cm	10.0	1		09/01/23 10:43	SM 2510 B		BEI0003
Nitrate Nitrogen as NO3N	**2.6**	mg/L	0.1	1	10	09/01/23 18:53	EPA 300.0		BEI0012
pH	**7.7**	units	1.0	1		09/01/23 10:43	SM 4500-H+	H	BEI0003
Total Filterable Solids (TDS)	**253**	mg/L	10.0	1		09/05/23 14:53	SM 2540 C		BEI0010
Temperature	**25.0**	°C	0.0	1		09/01/23 10:43	SM 2510 B		BEI0003
Kjeldahl Nitrogen (TKN), Total	ND	mg/L	1.00	1		09/07/23 08:49	SM 4500-NH3 C		BEI0083
Total Nitrogen	**2.67**	mg/L	1.00	1		09/07/23 08:49	SM 4500-NH3 C		BEI0083

The results in this report apply to the samples as received and were analyzed in accordance with the chain of custody document. This analytical report must be reproduced in its entirety. All results listed in this report are for the exclusive use of the submitting party. Dellavalle Laboratory, Inc. assumes no responsibility for report alteration, separation, detachment or third party interpretation.

DELLAVALLE™
LABORATORY INC

E & R Prins/Prins Heifer
9863 S Van Allen
Stockton, CA 95215

Account# 00-0026174
Account Manager: Scott Sakamoto
Submitted By: Jeanette Sawyer

Received: 08/31/2023 15:45
Reported: 09/07/2023 14:57

Sample Results
(Continued)

Sample: IW 3
23H2493-03 (Water)

Sampled: 8/31/2023 6:30
Sampled By:

Analyte	Result	Units	Reporting Limit	DIL	DW MCL	Date/Time Analyzed	Method	Notes	Batch
Electrical Conductivity	**0.45**	mmhos/cm	0.01	1		09/01/23 10:46	SM 2510 B		BEI0003
Electrical Conductivity umhos	**446**	umhos/cm	10.0	1		09/01/23 10:46	SM 2510 B		BEI0003
Nitrate Nitrogen as NO3N	**10.5**	mg/L	0.1	1	10	09/01/23 19:33	EPA 300.0		BEI0012
pH	**7.8**	units	1.0	1		09/01/23 10:46	SM 4500-H+	H	BEI0003
Total Filterable Solids (TDS)	**303**	mg/L	10.0	1		09/05/23 14:53	SM 2540 C		BEI0010
Temperature	**25.0**	°C	0.0	1		09/01/23 10:46	SM 2510 B		BEI0003
Kjeldahl Nitrogen (TKN), Total	ND	mg/L	1.00	1		09/07/23 08:52	SM 4500-NH3 C		BEI0083
Total Nitrogen	**11.0**	mg/L	1.00	1		09/07/23 08:52	SM 4500-NH3 C		BEI0083

The results in this report apply to the samples as received and were analyzed in accordance with the chain of custody document. This analytical report must be reproduced in its entirety. All results listed in this report are for the exclusive use of the submitting party. Dellavalle Laboratory, Inc. assumes no responsibility for report alteration, separation, detachment or third party interpretation.

DELLAVALLE™
LABORATORY INC

E & R Prins/Prins Heifer
9863 S Van Allen
Stockton, CA 95215

Account# 00-0026174
Account Manager: Scott Sakamoto
Submitted By: Jeanette Sawyer

Received: 08/31/2023 15:45
Reported: 09/07/2023 14:57

Sample Results
(Continued)

Sample: IW 4
23H2493-04 (Water)

Sampled: 8/31/2023 6:30
Sampled By:

Analyte	Result	Units	Reporting Limit	DIL	DW MCL	Date/Time Analyzed	Method	Notes	Batch
Electrical Conductivity	**0.32**	mmhos/cm	0.01	1		09/01/23 10:47	SM 2510 B		BEI0003
Electrical Conductivity umhos	**322**	umhos/cm	10.0	1		09/01/23 10:47	SM 2510 B		BEI0003
Nitrate Nitrogen as NO3N	**3.8**	mg/L	0.1	1	10	09/01/23 19:53	EPA 300.0		BEI0012
pH	**7.8**	units	1.0	1		09/01/23 10:47	SM 4500-H+	H	BEI0003
Total Filterable Solids (TDS)	**240**	mg/L	10.0	1		09/05/23 14:53	SM 2540 C		BEI0010
Temperature	**25.0**	°C	0.0	1		09/01/23 10:47	SM 2510 B		BEI0003
Kjeldahl Nitrogen (TKN), Total	**1.16**	mg/L	1.00	1		09/07/23 08:53	SM 4500-NH3 C		BEI0083
Total Nitrogen	**5.00**	mg/L	1.00	1		09/07/23 08:53	SM 4500-NH3 C		BEI0083

The results in this report apply to the samples as received and were analyzed in accordance with the chain of custody document. This analytical report must be reproduced in its entirety. All results listed in this report are for the exclusive use of the submitting party. Dellavalle Laboratory, Inc. assumes no responsibility for report alteration, separation, detachment or third party interpretation.

DELLAVALLE™ LABORATORY INC

E & R Prins/Prins Heifer
9863 S Van Allen
Stockton, CA 95215

Account# 00-0026174
Account Manager: Scott Sakamoto
Submitted By: Jeanette Sawyer

Received: 08/31/2023 15:45
Reported: 09/07/2023 14:57

Sample Results
(Continued)

Sample: IW Carter North
23H2493-06 (Water)

Sampled: 8/31/2023 6:30
Sampled By:

Analyte	Result	Units	Reporting Limit	DIL	DW MCL	Date/Time Analyzed	Method	Notes	Batch
Electrical Conductivity	**0.23**	mmhos/cm	0.01	1		09/01/23 10:56	SM 2510 B		BEI0003
Electrical Conductivity umhos	**226**	umhos/cm	10.0	1		09/01/23 10:56	SM 2510 B		BEI0003
Nitrate Nitrogen as NO3N	**1.2**	mg/L	0.1	1	10	09/01/23 20:33	EPA 300.0		BEI0012
pH	**7.8**	units	1.0	1		09/01/23 10:56	SM 4500-H+	H	BEI0003
Total Filterable Solids (TDS)	**193**	mg/L	10.0	1		09/05/23 14:53	SM 2540 C		BEI0010
Temperature	**25.0**	°C	0.0	1		09/01/23 10:56	SM 2510 B		BEI0003
Kjeldahl Nitrogen (TKN), Total	ND	mg/L	1.00	1		09/07/23 08:58	SM 4500-NH3 C		BEI0083
Total Nitrogen	**1.41**	mg/L	1.00	1		09/07/23 08:58	SM 4500-NH3 C		BEI0083

The results in this report apply to the samples as received and were analyzed in accordance with the chain of custody document. This analytical report must be reproduced in its entirety. All results listed in this report are for the exclusive use of the submitting party. Dellavalle Laboratory, Inc. assumes no responsibility for report alteration, separation, detachment or third party interpretation.

DELLAVALLE™ LABORATORY INC

E & R Prins/Prins Heifer
9863 S Van Allen
Stockton, CA 95215

Account# 00-0026174
Account Manager: Scott Sakamoto
Submitted By: Jeanette Sawyer

Received: 08/31/2023 15:45
Reported: 09/07/2023 14:57

Sample Results
(Continued)

Sample: IW Carter South
23H2493-07 (Water)

Sampled: 8/31/2023 6:30
Sampled By:

Analyte	Result	Units	Reporting Limit	DIL	DW MCL	Date/Time Analyzed	Method	Notes	Batch
Electrical Conductivity	**0.25**	mmhos/cm	0.01	1		09/01/23 10:57	SM 2510 B		BEI0003
Electrical Conductivity umhos	**246**	umhos/cm	10.0	1		09/01/23 10:57	SM 2510 B		BEI0003
Nitrate Nitrogen as NO3N	**1.2**	mg/L	0.1	1	10	09/01/23 23:52	EPA 300.0		BEI0012
pH	**7.8**	units	1.0	1		09/01/23 10:57	SM 4500-H+	H	BEI0003
Total Filterable Solids (TDS)	**213**	mg/L	10.0	1		09/05/23 14:53	SM 2540 C		BEI0010
Temperature	**25.0**	°C	0.0	1		09/01/23 10:57	SM 2510 B		BEI0003
Kjeldahl Nitrogen (TKN), Total	ND	mg/L	1.00	1		09/07/23 08:59	SM 4500-NH3 C		BEI0083
Total Nitrogen	**1.55**	mg/L	1.00	1		09/07/23 08:59	SM 4500-NH3 C		BEI0083

The results in this report apply to the samples as received and were analyzed in accordance with the chain of custody document. This analytical report must be reproduced in its entirety. All results listed in this report are for the exclusive use of the submitting party. Dellavalle Laboratory, Inc. assumes no responsibility for report alteration, separation, detachment or third party interpretation.

08/31/23 15:45 23H2493

DELLAVALLE LABORATORY, INC.

1910 W. McKinley Avenue, Suite 110 • Fresno, CA 93728
www.dellavallelab.com 559 233-6129 · 800 228-9896 · Fax 559 268-8174

JG

Purchase Order No | Bill To: 261740 | Acct # | Cons # 13

No. Samples: 9 No of Bottles: 18

Results Need By

Water Type: [ ] Drinking Water [ ] Wastewater [ ] Ag Water [ ] Groundwater [ ] Monitoring Well

Other:

Name: E&R Prins
Address: 9863 S. Van Allen
City: Stockton **State:** CA **Zip:** 95215
Telephone: 209 838-1627 **Fax:**
Cell/Email:
COPY TO: F&R Ag Services
& JSawyer@Fragservices.com
REQUESTED BY: Jeanette Sawyer
PROJECT:
CROP:

Analysis and Bottles Required: (*Please indicate Analysis*)
DCW1 + TN

[ ] Co. Health Dept
[ ] RWQCB [ ] Copy of Chain
[ ] State Forms [ ] QA/QC Documents

Sampled By:

	Description of Samples	Date Sampled	Time Sampled	Rec'd Temp °C	Field EC
1	IW 1	8/31/23	Start 6:30AM	0.3	
2	2			4.4	
3	3			-0.3	
4	4			-1.1	
5	5 Morris			-1.1	
6	Carter North			-0.3	
7	Carter South			1.1	
8	Cody's			-1.9	
9	Creek			-2.3	
10					

IR Thermometer SN: 200560723
Correction Factor: 0°C
Calibration Due: 9/26/2023
Location: Laboratory

CHAIN OF CUSTODY

Carrier	Signature	Company	Received (Date/Time)	Relinquished (Date/Time)
First	Jeanette Sawyer	F&R Ag Services		
Second	JLF	DLV	8-31-23 1:18	8-31-23 3:42
Third				
Fourth		DVI	8/31 15:45	

I guarantee that as the client, or on behalf of client named, I have the authority to contract the above requested services. Should it be found that I do not have such authority, I agree to be personally liable for all costs and, if there should be action against me for this breach, reasonable attorneys' fees. It is understood that payment is expected to be cash with samples unless terms have been previously arranged. Terms are net 30 days; overdue accounts will be charged a liquidated damage fee of 2% per month (annually 24%) or $5.00 per month whichever is greater.

If payment is not made when due and a legitimate dispute exists concerning the product or services of Dellavalle Laboratory, Inc., it will be submitted to mediation under the Rules and Procedures of Creative Alternative to Litigation, Inc. (*cal*). If the dispute is not resolved in mediation, then the dispute will be submitted to binding arbitration through *cal* under its Rules and Procedures. The parties will equally bear the costs of mediation/arbitration. If, however, the mediator declares that no legitimate dispute exists, then debtor will pay all mediation and arbitration costs, and in the event of arbitration, reasonable attorneys' fees of Dellavalle Laboratory.

Invoicing Information:
Sampling hrs
Miles
Consulting

Shipping
$ In
$ Out

Amt Paid	Rec By	Check #	Date

Signature
Sample received in cooler with ice (coolant)
[ ] Yes [ ] No

2023 Annual Report E.R. Prins Dairy #1

Final Audit Report 2024-06-13

Created:	2024-06-10
By:	Vince Furtado (vfurtado@fragservices.com)
Status:	Signed
Transaction ID:	CBJCHBCAABAAAsWg1FPXL22uPiMbYuwt5MpwaVcwz7Up

"2023 Annual Report E.R. Prins Dairy #1" History

Document created by Vince Furtado (vfurtado@fragservices.com)
2024-06-10 - 4:26:25 PM GMT

Document emailed to prinscows@aol.com for signature
2024-06-10 - 4:28:00 PM GMT

Email viewed by prinscows@aol.com
2024-06-11 - 2:20:34 PM GMT

Signer prinscows@aol.com entered name at signing as Ronald Prins
2024-06-13 - 7:40:27 PM GMT

Document e-signed by Ronald Prins (prinscows@aol.com)
Signature Date: 2024-06-13 - 7:40:29 PM GMT - Time Source: server

Agreement completed.
2024-06-13 - 7:40:29 PM GMT