Annual Report - General Order No. R5-2007-0035
Reporting period 01/01/2023 to 12/31/2023.

DAIRY FACILITY INFORMATION

A. NAME OF DAIRY OR BUSINESS OPERATING THE DAIRY: Hoekstra Dairy

Physical address of dairy:

Number and Street	City	County	Zip Code
10836 Hwy 120	Oakdale	Stanislaus	95361

Street and nearest cross street (if no address):

Date facility was originally placed in operation: 01/01/1940

Regional Water Quality Control Board Basin Plan designation: San Joaquin River Basin

County Assessor Parcel Number(s) for dairy facility:

X010-X022-X007-XXXX

B. OPERATORS

Hoekstra, Jack

Operator name: Hoekstra, Jack

Telephone no.: (209) 847-5872 Landline, (209) 765-2926 Cellular

Mailing Address Number and Street	City	State	Zip Code
10836 Highway 120	Oakdale	CA	95361

This operator is responsible for paying permit fees.

Hoekstra, Kurt

Operator name: Hoekstra, Kurt

Telephone no.: (209) 847-3454 Landline, Cellular

Mailing Address Number and Street	City	State	Zip Code
10836 Highway 120	Oakdale	CA	95361

Hoekstra, William

Operator name: Hoekstra, William

Telephone no.: (209) 847-3454 Landline, Cellular

Mailing Address Number and Street	City	State	Zip Code
10836 Highway 120	Oakdale	CA	95361

C. OWNERS

Hoekstra, Jack

Legal owner name:	Hoekstra, Jack	Telephone no.:	(209) 847-5872	(209) 765-2926
			Landline	Cellular
10836 Highway 120	Oakdale		CA	95361
Mailing Address Number and Street	City		State	Zip Code

This owner is responsible for paying permit fees.

Hoekstra, Kurt

Legal owner name:	Hoekstra, Kurt	Telephone no.:	(209) 847-3454	
			Landline	Cellular
10836 Highway 120	Oakdale		CA	95361
Mailing Address Number and Street	City		State	Zip Code

Hoekstra, William

Legal owner name:	Hoekstra, William	Telephone no.:	(209) 847-3454	
			Landline	Cellular
10836 Highway 120	Oakdale		CA	95361
Mailing Address Number and Street	City		State	Zip Code

Annual Report - General Order No. R5-2007-0035
Reporting period 01/01/2023 to 12/31/2023.

AVAILABLE NUTRIENTS

A. HERD INFORMATION

	Milk Cows	Dry Cows	Bred Heifers (15-24 mo.)	Heifers (7-14 mo. to breeding)	Calves (4-6 mo.)	Calves (0-3 mo.)
Number open confinement	0	0	120	195	144	194
Number under roof	1,100	185	0	0	0	0
Maximum number	1,100	185	120	195	144	194
Average number	1,100	185	120	195	144	194
Avg live weight (lbs)	1,350	1,400	925	700		

Predominant milk cow breed: Other

Average milk production: 80 *pounds per cow per day*

B. MANURE GENERATED

Total manure excreted by the herd: 36,424.46 *tons per reporting period*

Total nitrogen from manure: 466,724.97 *lbs per reporting period*

After ammonia losses (30% loss applied): 326,707.48 *lbs per reporting period*

Total phosphorus from manure: 76,296.13 *lbs per reporting period*

Total potassium from manure: 217,887.15 *lbs per reporting period*

Total salt from manure: 560,475.75 *lbs per reporting period*

C. PROCESS WASTEWATER GENERATED

Process wastewater generated: 14,491,500 *gallons*

Total nitrogen generated: 86,907.50 *lbs*

Total phosphorus generated: 9,996.71 *lbs*

Total potassium generated: 116,806.80 *lbs*

Total salt generated: 726,794.09 *lbs*

	14,491,500	*gallons applied*
+	0	*gallons exported*
-	0	*gallons imported*
=	14,491,500	*gallons generated*

D. FRESH WATER SOURCES

Source Description	Type
Irrigation Wells	Ground water
OID Canal	Surface water

E. SUBSURFACE (TILE) DRAINAGE SOURCES

No subsurface (tile) drainage sources entered.

F. NUTRIENT IMPORTS

No dry manure nutrient imports entered.

No process wastewater nutrient imports entered.

Date	Material type / Description	Quantity	Reporting basis	Moisture (%)	N (%)	P (%)	K (%)	Salt (%)
03/03/2023	Solid commercial fertilizer *CAN 17*	74.92 *ton*	As-is	0.1	17.000000	0.000000	0.000000	0.000000
05/24/2023	Solid commercial fertilizer *4-0-0*	20.00 *ton*	As-is	0.1	4.000000	0.000000	0.000000	0.000000
06/13/2023	Solid commercial fertilizer *UN 32*	7.00 *ton*	As-is	0.1	32.000000	0.000000	0.000000	0.000000

Material type	Total N (lbs)	Total P (lbs)	Total K (lbs)	Total salt (lbs)
Commercial fertilizer / Other	31,552.80	0.00	0.00	0.00
Dry manure	0.00	0.00	0.00	0.00
Process wastewater	0.00	0.00	0.00	0.00
Total imports for all materials	31,552.80	0.00	0.00	0.00

G. NUTRIENT EXPORTS

Date	Material type	Quantity	Reporting basis	Moisture (%)	Density (lbs/cu ft)	N (mg/kg)	P (mg/kg)	K (mg/kg)	Salt (mg/kg)	TFS (%)
06/02/2023	Compost	500.00 *ton*	Dry-weight	7.9		21,700.00	4,790.00	13,700.00		50.50
07/27/2023	Compost	1,540.00 *ton*	Dry-weight	7.9		21,700.00	4,790.00	13,700.00		50.50
10/20/2023	Compost	740.00 *ton*	Dry-weight	7.9		21,700.00	4,790.00	13,700.00		50.50
11/30/2023	Compost	700.00 *ton*	Dry-weight	7.9		21,700.00	4,790.00	13,700.00		50.50

No liquid nutrient exports entered.

Material type	Total N (lbs)	Total P (lbs)	Total K (lbs)	Total salt (lbs)
Dry manure	139,100.47	30,704.67	87,819.19	3,237,130.80
Process wastewater	0.00	0.00	0.00	0.00
Total exports for all materials	139,100.47	30,704.67	87,819.19	3,237,130.80

APPLICATION AREA

A. LIST OF LAND APPLICATION AREAS

Field name	Controlled acres	Cropable acres	Total harvests	Type of waste applied	Parcel number
Almond Trees	206	185	1	manure	X010-X015-X024-XXXX X011-X003-X004-XXXX
Condoni	30	30	1	process wastewater	X010-X024-X004-XXXX
Field 1 & 2	50	50	1	process wastewater	X010-X022-X007-XXXX X010-X024-X016-XXXX
Field 10 & 11	70	70	2	process wastewater	X010-X024-X004-XXXX
Field 7&8	37	37	1	process wastewater	X010-X024-X016-XXXX
Fogarty Ranch	120	120	1	manure	X010-X015-X051-XXXX X010-X015-X061-XXXX
McCormick	13	13	1	process wastewater	X010-X024-X003-XXXX
McPhee	110	110	1	manure	X002-X041-X022-XXXX
Ohe	110	110	1	manure	X002-X048-X001-XXXX
Orchard	23	23	1	process wastewater	X010-X024-X016-XXXX
Parker	33	33	1	process wastewater	X010-X024-X006-XXXX X010-X024-X007-XXXX
Pivot 1	105	105	2	manure	X010-X015-X051-XXXX
Pivot 2	35	35	2	manure	X010-X015-X071-XXXX
Stearns	70	70	1	manure	X010-X022-X012-XXXX X010-X022-X013-XXXX X064-X017-X015-XXXX
Totals for areas that were used for application	1,012	991	17		
Totals for areas that were not used for application					
Land application area totals	1,012	991	17		

B. CROPS AND HARVESTS

Almond Trees

Field name: Almond Trees

Almond Trees

04/05/2015: Almonds, Field Run

Crop: Almonds, Field Run Acres planted: 185 Plant date: 04/05/2015

Harvest date	Yield	Reporting basis	Density (lbs/cu ft)	Moisture (%)	N (mg/kg)	P (mg/kg)	K (mg/kg)	Salt (mg/kg)	TFS (%)
10/16/2023	940.50 *ton*	As-is		10.0	16,500.00	3,500.00	23,000.00		10.50

	Yield (tons/acre)	Total N (lbs/acre)	Total P (lbs/acre)	Total K (lbs/acre)	Salt (lbs/acre)
Anticipated harvest content	5.00	215.00	36.50	232.50	0.00
Total actual harvest content	5.08	167.76	35.59	233.85	960.84

Condoni

Field name: Condoni

01/01/2023: Pasture

Crop: Pasture Acres planted: 30 Plant date: 01/01/2023

Harvest date	Yield	Reporting basis	Density (lbs/cu ft)	Moisture (%)	N (mg/kg)	P (mg/kg)	K (mg/kg)	Salt (mg/kg)	TFS (%)
04/26/2023	480.00 *ton*	As-is		70.0	12,700.00	1,210.00	13,400.00		12.40

	Yield (tons/acre)	Total N (lbs/acre)	Total P (lbs/acre)	Total K (lbs/acre)	Salt (lbs/acre)
Anticipated harvest content	16.00	294.40	41.60	302.40	0.00
Total actual harvest content	16.00	406.40	38.72	428.80	1,190.40

Field 1 & 2

Field name: Field 1 & 2

Field 1 & 2

01/01/2023: Pasture

Crop: Pasture Acres planted: 23 Plant date: 01/01/2023

Harvest date	Yield	Reporting basis	Density (lbs/cu ft)	Moisture (%)	N (mg/kg)	P (mg/kg)	K (mg/kg)	Salt (mg/kg)	TFS (%)
04/26/2023	368.00 *ton*	As-is		70.0	10,600.00	1,290.00	14,000.00		14.00

	Yield (tons/acre)	Total N (lbs/acre)	Total P (lbs/acre)	Total K (lbs/acre)	Salt (lbs/acre)
Anticipated harvest content	16.00	294.40	41.60	302.40	0.00
Total actual harvest content	16.00	339.20	41.28	448.00	1,344.00

Field 10 & 11

Field name: Field 10 & 11

10/31/2022: Oats, silage-soft dough

Crop: Oats, silage-soft dough Acres planted: 60 Plant date: 10/31/2022

Harvest date	Yield	Reporting basis	Density (lbs/cu ft)	Moisture (%)	N (mg/kg)	P (mg/kg)	K (mg/kg)	Salt (mg/kg)	TFS (%)
05/16/2023	1,186.55 *ton*	As-is		68.2	5,470.00	1,140.00	6,950.00		10.20

	Yield (tons/acre)	Total N (lbs/acre)	Total P (lbs/acre)	Total K (lbs/acre)	Salt (lbs/acre)
Anticipated harvest content	14.00	140.00	22.40	116.20	0.00
Total actual harvest content	19.78	216.35	45.09	274.88	1,282.90

05/30/2023: Corn, silage

Crop: Corn, silage Acres planted: 60 Plant date: 05/30/2023

Harvest date	Yield	Reporting basis	Density (lbs/cu ft)	Moisture (%)	N (mg/kg)	P (mg/kg)	K (mg/kg)	Salt (mg/kg)	TFS (%)
09/25/2023	1,745.96 *ton*	As-is		67.6	4,240.00	970.00	5,150.00		5.27

	Yield (tons/acre)	Total N (lbs/acre)	Total P (lbs/acre)	Total K (lbs/acre)	Salt (lbs/acre)
Anticipated harvest content	25.00	200.00	37.50	165.00	0.00
Total actual harvest content	29.10	246.76	56.45	299.72	993.73

Field 7&8

Field name: Field 7&8

01/01/2023: Pasture

Crop: Pasture Acres planted: 29 Plant date: 01/01/2023

Harvest date	Yield	Reporting basis	Density (lbs/cu ft)	Moisture (%)	N (mg/kg)	P (mg/kg)	K (mg/kg)	Salt (mg/kg)	TFS (%)
04/26/2023	464.00 *ton*	As-is		70.0	10,100.00	1,530.00	12,500.00		13.10

	Yield (tons/acre)	Total N (lbs/acre)	Total P (lbs/acre)	Total K (lbs/acre)	Salt (lbs/acre)
Anticipated harvest content	16.00	294.40	41.60	302.40	0.00
Total actual harvest content	16.00	323.20	48.96	400.00	1,257.60

Fogarty Ranch

Field name: Fogarty Ranch

10/29/2022: Oats, silage-soft dough

Crop: Oats, silage-soft dough Acres planted: 120 Plant date: 10/29/2022

Harvest date	Yield	Reporting basis	Density (lbs/cu ft)	Moisture (%)	N (mg/kg)	P (mg/kg)	K (mg/kg)	Salt (mg/kg)	TFS (%)
05/14/2023	1,836.00 *ton*	As-is		63.9	4,910.00	1,310.00	8,810.00		8.94

	Yield (tons/acre)	Total N (lbs/acre)	Total P (lbs/acre)	Total K (lbs/acre)	Salt (lbs/acre)
Anticipated harvest content	14.00	140.00	22.40	116.20	0.00
Total actual harvest content	15.30	150.25	40.09	269.59	987.57

McCormick

Field name: McCormick

McCormick

01/01/2023: Pasture

Crop: Pasture Acres planted: 13 Plant date: 01/01/2023

Harvest date	Yield	Reporting basis	Density (lbs/cu ft)	Moisture (%)	N (mg/kg)	P (mg/kg)	K (mg/kg)	Salt (mg/kg)	TFS (%)
04/26/2023	208.00 *ton*	As-is		70.0	7,700.00	1,130.00	10,000.00		10.90

	Yield (tons/acre)	Total N (lbs/acre)	Total P (lbs/acre)	Total K (lbs/acre)	Salt (lbs/acre)
Anticipated harvest content	16.00	294.40	41.60	302.40	0.00
Total actual harvest content	16.00	246.40	36.16	320.00	1,046.40

McPhee

Field name: McPhee

10/28/2022: Oats, silage-soft dough

Crop: Oats, silage-soft dough Acres planted: 110 Plant date: 10/28/2022

Harvest date	Yield	Reporting basis	Density (lbs/cu ft)	Moisture (%)	N (mg/kg)	P (mg/kg)	K (mg/kg)	Salt (mg/kg)	TFS (%)
05/12/2023	1,628.00 *ton*	As-is		62.8	4,610.00	770.00	4,830.00		5.96

	Yield (tons/acre)	Total N (lbs/acre)	Total P (lbs/acre)	Total K (lbs/acre)	Salt (lbs/acre)
Anticipated harvest content	14.00	140.00	22.40	116.20	0.00
Total actual harvest content	14.80	136.46	22.79	142.97	656.27

Ohe

Field name: Ohe

Ohe

10/27/2022: Oats, silage-soft dough

Crop: Oats, silage-soft dough Acres planted: 110 Plant date: 10/27/2022

Harvest date	Yield	Reporting basis	Density (lbs/cu ft)	Moisture (%)	N (mg/kg)	P (mg/kg)	K (mg/kg)	Salt (mg/kg)	TFS (%)
05/12/2023	2,057.00 *ton*	As-is		68.8	4,340.00	610.00	3,470.00		5.86

	Yield (tons/acre)	Total N (lbs/acre)	Total P (lbs/acre)	Total K (lbs/acre)	Salt (lbs/acre)
Anticipated harvest content	14.00	140.00	22.40	116.20	0.00
Total actual harvest content	18.70	162.32	22.81	129.78	683.79

Orchard

Field name: Orchard

01/01/2023: Pasture

Crop: Pasture Acres planted: 23 Plant date: 01/01/2023

Harvest date	Yield	Reporting basis	Density (lbs/cu ft)	Moisture (%)	N (mg/kg)	P (mg/kg)	K (mg/kg)	Salt (mg/kg)	TFS (%)
04/26/2023	368.00 *ton*	As-is		70.0	6,950.00	880.00	9,270.00		9.25

	Yield (tons/acre)	Total N (lbs/acre)	Total P (lbs/acre)	Total K (lbs/acre)	Salt (lbs/acre)
Anticipated harvest content	16.00	294.40	41.60	302.40	0.00
Total actual harvest content	16.00	222.40	28.16	296.64	888.00

Parker

Field name: Parker

Parker

01/01/2023: Pasture

Crop: Pasture Acres planted: 33 Plant date: 01/01/2023

Harvest date	Yield	Reporting basis	Density (lbs/cu ft)	Moisture (%)	N (mg/kg)	P (mg/kg)	K (mg/kg)	Salt (mg/kg)	TFS (%)
04/26/2023	528.00 *ton*	As-is		70.0	9,400.00	1,220.00	11,700.00		11.30

	Yield (tons/acre)	Total N (lbs/acre)	Total P (lbs/acre)	Total K (lbs/acre)	Salt (lbs/acre)
Anticipated harvest content	16.00	294.40	41.60	302.40	0.00
Total actual harvest content	16.00	300.80	39.04	374.40	1,084.80

Pivot 1

Field name: Pivot 1

10/16/2022: Oats, silage-soft dough

Crop: Oats, silage-soft dough Acres planted: 105 Plant date: 10/16/2022

Harvest date	Yield	Reporting basis	Density (lbs/cu ft)	Moisture (%)	N (mg/kg)	P (mg/kg)	K (mg/kg)	Salt (mg/kg)	TFS (%)
05/01/2023	1,479.90 *ton*	As-is		66.8	5,080.00	1,530.00	17,100.00		12.30

	Yield (tons/acre)	Total N (lbs/acre)	Total P (lbs/acre)	Total K (lbs/acre)	Salt (lbs/acre)
Anticipated harvest content	14.00	140.00	22.40	116.20	0.00
Total actual harvest content	14.09	143.20	43.13	482.02	1,151.11

05/27/2023: Corn, silage

Crop: Corn, silage Acres planted: 105 Plant date: 05/27/2023

Harvest date	Yield	Reporting basis	Density (lbs/cu ft)	Moisture (%)	N (mg/kg)	P (mg/kg)	K (mg/kg)	Salt (mg/kg)	TFS (%)
09/22/2023	2,919.00 *ton*	As-is		63.8	4,530.00	1,040.00	4,280.00		4.71

	Yield (tons/acre)	Total N (lbs/acre)	Total P (lbs/acre)	Total K (lbs/acre)	Salt (lbs/acre)
Anticipated harvest content	25.00	200.00	37.50	165.00	0.00
Total actual harvest content	27.80	251.87	57.82	237.97	947.99

Pivot 2

Field name: Pivot 2

10/14/2022: Oats, silage-soft dough

Crop: Oats, silage-soft dough Acres planted: 35 Plant date: 10/14/2022

Harvest date	Yield	Reporting basis	Density (lbs/cu ft)	Moisture (%)	N (mg/kg)	P (mg/kg)	K (mg/kg)	Salt (mg/kg)	TFS (%)
04/29/2023	525.00 *ton*	As-is		64.4	4,950.00	1,070.00	10,800.00		8.89

	Yield (tons/acre)	Total N (lbs/acre)	Total P (lbs/acre)	Total K (lbs/acre)	Salt (lbs/acre)
Anticipated harvest content	14.00	140.00	22.40	116.20	0.00
Total actual harvest content	15.00	148.50	32.10	324.00	949.45

05/24/2023: Corn, silage

Crop: Corn, silage Acres planted: 35 Plant date: 05/24/2023

Harvest date	Yield	Reporting basis	Density (lbs/cu ft)	Moisture (%)	N (mg/kg)	P (mg/kg)	K (mg/kg)	Salt (mg/kg)	TFS (%)
09/19/2023	892.50 *ton*	As-is		58.0	4,370.00	840.00	4,200.00		5.30

	Yield (tons/acre)	Total N (lbs/acre)	Total P (lbs/acre)	Total K (lbs/acre)	Salt (lbs/acre)
Anticipated harvest content	25.00	200.00	37.50	165.00	0.00
Total actual harvest content	25.50	222.87	42.84	214.20	1,135.26

Stearns

Field name: Stearns

10/15/2022: Oats, hay

Crop: Oats, hay Acres planted: 70 Plant date: 10/15/2022

Harvest date	Yield	Reporting basis	Density (lbs/cu ft)	Moisture (%)	N (mg/kg)	P (mg/kg)	K (mg/kg)	Salt (mg/kg)	TFS (%)
05/30/2023	315.00 *ton*	As-is		7.4	16,500.00	1,510.00	9,480.00		8.90

	Yield (tons/acre)	Total N (lbs/acre)	Total P (lbs/acre)	Total K (lbs/acre)	Salt (lbs/acre)
Anticipated harvest content	4.00	160.00	26.00	132.00	0.00
Total actual harvest content	4.50	148.50	13.59	85.32	741.73

NUTRIENT BUDGET

A. LAND APPLICATIONS

Almond Trees - 04/05/2015: Almonds, Field Run

Field name: Almond Trees

Crop: Almonds, Field Run

Plant date: 04/05/2015

Application date	Application method	Precipitation 24 hours prior	Precipitation during application	Precipitation 24 hours following
09/17/2022	Surface (irrigation)	No precipitation	No precipitation	No precipitation

Source description	Material type	N (lbs/acre)	P (lbs/acre)	K (lbs/acre)	Salt (lbs/acre)	Amount
Irrigation Wells	Ground water	0.00	0.00	0.00	116.32	19,101,250.00 *gal*
Application event totals		0.00	0.00	0.00	116.32	

Application date	Application method	Precipitation 24 hours prior	Precipitation during application	Precipitation 24 hours following
10/02/2022	Surface (irrigation)	No precipitation	No precipitation	No precipitation

Source description	Material type	N (lbs/acre)	P (lbs/acre)	K (lbs/acre)	Salt (lbs/acre)	Amount
Irrigation Wells	Ground water	0.00	0.00	0.00	116.32	19,101,250.00 *gal*
Application event totals		0.00	0.00	0.00	116.32	

Application date	Application method	Precipitation 24 hours prior	Precipitation during application	Precipitation 24 hours following
11/02/2022	Broadcast/incorporate	No precipitation	No precipitation	No precipitation

Source description	Material type	N (lbs/acre)	P (lbs/acre)	K (lbs/acre)	Salt (lbs/acre)	Amount
Solid Manure	Corral solids	34.54	23.46	58.56	2,186.36	600.00 *ton*
Application event totals		34.54	23.46	58.56	2,186.36	

Application date	Application method	Precipitation 24 hours prior	Precipitation during application	Precipitation 24 hours following
03/03/2023	Sidedress	No precipitation	No precipitation	No precipitation

Source description	Material type	N (lbs/acre)	P (lbs/acre)	K (lbs/acre)	Salt (lbs/acre)	Amount
CAN 17	Solid commercial fertilizer	45.90	0.00	0.00	0.00	
Application event totals		45.90	0.00	0.00	0.00	

Application date	Application method	Precipitation 24 hours prior	Precipitation during application	Precipitation 24 hours following
04/08/2023	Sidedress	No precipitation	No precipitation	No precipitation

Source description	Material type	N (lbs/acre)	P (lbs/acre)	K (lbs/acre)	Salt (lbs/acre)	Amount
CAN 17	Solid commercial fertilizer	45.90	0.00	0.00	0.00	
Application event totals		45.90	0.00	0.00	0.00	

Almond Trees - 04/05/2015: Almonds, Field Run

Application date	Application method	Precipitation 24 hours prior	Precipitation during application	Precipitation 24 hours following
04/08/2023	Surface (irrigation)	No precipitation	No precipitation	No precipitation

Source description	Material type	N (lbs/acre)	P (lbs/acre)	K (lbs/acre)	Salt (lbs/acre)	Amount
Irrigation Wells	Ground water	0.00	0.00	0.00	122.20	18,555,000.00 *gal*
Application event totals		0.00	0.00	0.00	122.20	

Application date	Application method	Precipitation 24 hours prior	Precipitation during application	Precipitation 24 hours following
05/03/2023	Surface (irrigation)	No precipitation	No precipitation	No precipitation

Source description	Material type	N (lbs/acre)	P (lbs/acre)	K (lbs/acre)	Salt (lbs/acre)	Amount
Irrigation Wells	Ground water	0.00	0.00	0.00	122.20	18,555,000.00 *gal*
Application event totals		0.00	0.00	0.00	122.20	

Application date	Application method	Precipitation 24 hours prior	Precipitation during application	Precipitation 24 hours following
05/25/2023	Sidedress	No precipitation	No precipitation	No precipitation

Source description	Material type	N (lbs/acre)	P (lbs/acre)	K (lbs/acre)	Salt (lbs/acre)	Amount
CAN 17	Solid commercial fertilizer	45.90	0.00	0.00	0.00	
Application event totals		45.90	0.00	0.00	0.00	

Application date	Application method	Precipitation 24 hours prior	Precipitation during application	Precipitation 24 hours following
05/25/2023	Surface (irrigation)	No precipitation	No precipitation	No precipitation

Source description	Material type	N (lbs/acre)	P (lbs/acre)	K (lbs/acre)	Salt (lbs/acre)	Amount
Irrigation Wells	Ground water	0.00	0.00	0.00	123.42	18,740,500.00 *gal*
Application event totals		0.00	0.00	0.00	123.42	

Application date	Application method	Precipitation 24 hours prior	Precipitation during application	Precipitation 24 hours following
06/09/2023	Surface (irrigation)	No precipitation	No precipitation	No precipitation

Source description	Material type	N (lbs/acre)	P (lbs/acre)	K (lbs/acre)	Salt (lbs/acre)	Amount
Irrigation Wells	Ground water	0.00	0.00	0.00	123.42	18,740,500.00 *gal*
Application event totals		0.00	0.00	0.00	123.42	

Application date	Application method	Precipitation 24 hours prior	Precipitation during application	Precipitation 24 hours following
06/22/2023	Surface (irrigation)	No precipitation	No precipitation	No precipitation

Source description	Material type	N (lbs/acre)	P (lbs/acre)	K (lbs/acre)	Salt (lbs/acre)	Amount
Irrigation Wells	Ground water	0.00	0.00	0.00	125.80	19,101,250.00 *gal*
Application event totals		0.00	0.00	0.00	125.80	

Almond Trees - 04/05/2015: Almonds, Field Run

Application date	Application method	Precipitation 24 hours prior	Precipitation during application	Precipitation 24 hours following
07/06/2023	Surface (irrigation)	No precipitation	No precipitation	No precipitation

Source description	Material type	N (lbs/acre)	P (lbs/acre)	K (lbs/acre)	Salt (lbs/acre)	Amount
Irrigation Wells	Ground water	0.00	0.00	0.00	125.80	19,101,250.00 *gal*
Application event totals		0.00	0.00	0.00	125.80	

Application date	Application method	Precipitation 24 hours prior	Precipitation during application	Precipitation 24 hours following
07/21/2023	Surface (irrigation)	No precipitation	No precipitation	No precipitation

Source description	Material type	N (lbs/acre)	P (lbs/acre)	K (lbs/acre)	Salt (lbs/acre)	Amount
Irrigation Wells	Ground water	0.00	0.00	0.00	125.80	19,101,250.00 *gal*
Application event totals		0.00	0.00	0.00	125.80	

Application date	Application method	Precipitation 24 hours prior	Precipitation during application	Precipitation 24 hours following
08/05/2023	Surface (irrigation)	No precipitation	No precipitation	No precipitation

Source description	Material type	N (lbs/acre)	P (lbs/acre)	K (lbs/acre)	Salt (lbs/acre)	Amount
Irrigation Wells	Ground water	0.00	0.00	0.00	125.80	19,101,250.00 *gal*
Application event totals		0.00	0.00	0.00	125.80	

Application date	Application method	Precipitation 24 hours prior	Precipitation during application	Precipitation 24 hours following
08/20/2023	Surface (irrigation)	No precipitation	No precipitation	No precipitation

Source description	Material type	N (lbs/acre)	P (lbs/acre)	K (lbs/acre)	Salt (lbs/acre)	Amount
Irrigation Wells	Ground water	0.00	0.00	0.00	125.80	19,101,250.00 *gal*
Application event totals		0.00	0.00	0.00	125.80	

Application date	Application method	Precipitation 24 hours prior	Precipitation during application	Precipitation 24 hours following
09/04/2023	Surface (irrigation)	No precipitation	No precipitation	No precipitation

Source description	Material type	N (lbs/acre)	P (lbs/acre)	K (lbs/acre)	Salt (lbs/acre)	Amount
Irrigation Wells	Ground water	0.00	0.00	0.00	125.80	19,101,250.00 *gal*
Application event totals		0.00	0.00	0.00	125.80	

Condoni - 01/01/2023: Pasture

Field name: Condoni

Crop: Pasture

Plant date: 01/01/2023

Application date	Application method	Precipitation 24 hours prior	Precipitation during application	Precipitation 24 hours following

Condoni - 01/01/2023: Pasture

Application date	Application method	Precipitation 24 hours prior	Precipitation during application	Precipitation 24 hours following
01/28/2023	Surface (irrigation)	No precipitation	No precipitation	No precipitation

Source description	Material type	N (lbs/acre)	P (lbs/acre)	K (lbs/acre)	Salt (lbs/acre)	Amount
WWS	Process wastewater	196.78	28.78	203.08	1,970.76	1,080,000.00 *gal*
Application event totals		196.78	28.78	203.08	1,970.76	

Application date	Application method	Precipitation 24 hours prior	Precipitation during application	Precipitation 24 hours following
04/16/2023	Surface (irrigation)	No precipitation	No precipitation	No precipitation

Source description	Material type	N (lbs/acre)	P (lbs/acre)	K (lbs/acre)	Salt (lbs/acre)	Amount
OID Canal	Surface water	0.88	0.00	0.00	45.56	3,150,000.00 *gal*
Application event totals		0.88	0.00	0.00	45.56	

Application date	Application method	Precipitation 24 hours prior	Precipitation during application	Precipitation 24 hours following
05/11/2023	Surface (irrigation)	No precipitation	No precipitation	No precipitation

Source description	Material type	N (lbs/acre)	P (lbs/acre)	K (lbs/acre)	Salt (lbs/acre)	Amount
OID Canal	Surface water	0.80	0.00	0.00	41.22	2,850,000.00 *gal*
Application event totals		0.80	0.00	0.00	41.22	

Application date	Application method	Precipitation 24 hours prior	Precipitation during application	Precipitation 24 hours following
05/31/2023	Surface (irrigation)	No precipitation	No precipitation	No precipitation

Source description	Material type	N (lbs/acre)	P (lbs/acre)	K (lbs/acre)	Salt (lbs/acre)	Amount
OID Canal	Surface water	0.84	0.00	0.00	43.39	3,000,000.00 *gal*
Application event totals		0.84	0.00	0.00	43.39	

Application date	Application method	Precipitation 24 hours prior	Precipitation during application	Precipitation 24 hours following
06/16/2023	Surface (irrigation)	No precipitation	No precipitation	No precipitation

Source description	Material type	N (lbs/acre)	P (lbs/acre)	K (lbs/acre)	Salt (lbs/acre)	Amount
WWS	Process wastewater	130.18	29.97	416.58	2,037.35	1,170,000.00 *gal*
OID Canal	Surface water	0.55	0.00	0.00	28.21	1,950,000.00 *gal*
Application event totals		130.73	29.97	416.58	2,065.55	

Application date	Application method	Precipitation 24 hours prior	Precipitation during application	Precipitation 24 hours following
07/12/2023	Surface (irrigation)	No precipitation	No precipitation	No precipitation

Source description	Material type	N (lbs/acre)	P (lbs/acre)	K (lbs/acre)	Salt (lbs/acre)	Amount
OID Canal	Surface water	0.84	0.00	0.00	43.39	3,000,000.00 *gal*
Application event totals		0.84	0.00	0.00	43.39	

Condoni - 01/01/2023: Pasture

Application date	Application method	Precipitation 24 hours prior	Precipitation during application	Precipitation 24 hours following
07/31/2023	Surface (irrigation)	No precipitation	No precipitation	No precipitation

Source description	Material type	N (lbs/acre)	P (lbs/acre)	K (lbs/acre)	Salt (lbs/acre)	Amount
OID Canal	Surface water	0.86	0.00	0.00	44.48	3,075,000.00 *gal*
Application event totals		0.86	0.00	0.00	44.48	

Application date	Application method	Precipitation 24 hours prior	Precipitation during application	Precipitation 24 hours following
08/16/2023	Surface (irrigation)	No precipitation	No precipitation	No precipitation

Source description	Material type	N (lbs/acre)	P (lbs/acre)	K (lbs/acre)	Salt (lbs/acre)	Amount
OID Canal	Surface water	0.84	0.00	0.00	43.39	3,000,000.00 *gal*
Application event totals		0.84	0.00	0.00	43.39	

Application date	Application method	Precipitation 24 hours prior	Precipitation during application	Precipitation 24 hours following
08/31/2023	Surface (irrigation)	No precipitation	No precipitation	No precipitation

Source description	Material type	N (lbs/acre)	P (lbs/acre)	K (lbs/acre)	Salt (lbs/acre)	Amount
OID Canal	Surface water	0.86	0.00	0.00	44.48	3,075,000.00 *gal*
Application event totals		0.86	0.00	0.00	44.48	

Application date	Application method	Precipitation 24 hours prior	Precipitation during application	Precipitation 24 hours following
09/16/2023	Surface (irrigation)	No precipitation	No precipitation	No precipitation

Source description	Material type	N (lbs/acre)	P (lbs/acre)	K (lbs/acre)	Salt (lbs/acre)	Amount
OID Canal	Surface water	0.88	0.00	0.00	45.56	3,150,000.00 *gal*
Application event totals		0.88	0.00	0.00	45.56	

Application date	Application method	Precipitation 24 hours prior	Precipitation during application	Precipitation 24 hours following
10/01/2023	Surface (irrigation)	No precipitation	No precipitation	No precipitation

Source description	Material type	N (lbs/acre)	P (lbs/acre)	K (lbs/acre)	Salt (lbs/acre)	Amount
OID Canal	Surface water	0.86	0.00	0.00	44.48	3,075,000.00 *gal*
Application event totals		0.86	0.00	0.00	44.48	

Application date	Application method	Precipitation 24 hours prior	Precipitation during application	Precipitation 24 hours following
10/13/2023	Surface (irrigation)	No precipitation	No precipitation	No precipitation

Source description	Material type	N (lbs/acre)	P (lbs/acre)	K (lbs/acre)	Salt (lbs/acre)	Amount
OID Canal	Surface water	0.86	0.00	0.00	44.48	3,075,000.00 *gal*
Application event totals		0.86	0.00	0.00	44.48	

Field 1 & 2 - 01/01/2023: Pasture

Field 1 & 2 - 01/01/2023: Pasture

Field name: Field 1 & 2

Crop: Pasture

Plant date: 01/01/2023

Application date	Application method	Precipitation 24 hours prior	Precipitation during application	Precipitation 24 hours following
04/15/2023	Surface (irrigation)	No precipitation	No precipitation	No precipitation

Source description	Material type	N (lbs/acre)	P (lbs/acre)	K (lbs/acre)	Salt (lbs/acre)	Amount
OID Canal	Surface water	0.82	0.00	0.00	42.45	2,250,000.00 *gal*
Application event totals		0.82	0.00	0.00	42.45	

Application date	Application method	Precipitation 24 hours prior	Precipitation during application	Precipitation 24 hours following
05/10/2023	Surface (irrigation)	No precipitation	No precipitation	No precipitation

Source description	Material type	N (lbs/acre)	P (lbs/acre)	K (lbs/acre)	Salt (lbs/acre)	Amount
WWS	Process wastewater	124.09	28.57	397.08	1,941.95	855,000.00 *gal*
OID Canal	Surface water	0.52	0.00	0.00	26.89	1,425,000.00 *gal*
Application event totals		124.61	28.57	397.08	1,968.84	

Application date	Application method	Precipitation 24 hours prior	Precipitation during application	Precipitation 24 hours following
05/30/2023	Surface (irrigation)	No precipitation	No precipitation	No precipitation

Source description	Material type	N (lbs/acre)	P (lbs/acre)	K (lbs/acre)	Salt (lbs/acre)	Amount
OID Canal	Surface water	0.85	0.00	0.00	43.87	2,325,000.00 *gal*
Application event totals		0.85	0.00	0.00	43.87	

Application date	Application method	Precipitation 24 hours prior	Precipitation during application	Precipitation 24 hours following
06/15/2023	Surface (irrigation)	No precipitation	No precipitation	No precipitation

Source description	Material type	N (lbs/acre)	P (lbs/acre)	K (lbs/acre)	Salt (lbs/acre)	Amount
OID Canal	Surface water	0.85	0.00	0.00	43.87	2,325,000.00 *gal*
Application event totals		0.85	0.00	0.00	43.87	

Application date	Application method	Precipitation 24 hours prior	Precipitation during application	Precipitation 24 hours following
07/12/2023	Surface (irrigation)	No precipitation	No precipitation	No precipitation

Source description	Material type	N (lbs/acre)	P (lbs/acre)	K (lbs/acre)	Salt (lbs/acre)	Amount
WWS	Process wastewater	234.13	21.19	271.36	1,887.42	900,000.00 *gal*
OID Canal	Surface water	0.55	0.00	0.00	28.30	1,500,000.00 *gal*
Application event totals		234.68	21.19	271.36	1,915.72	

Field 1 & 2 - 01/01/2023: Pasture

Application date	Application method	Precipitation 24 hours prior	Precipitation during application	Precipitation 24 hours following
07/30/2023	Surface (irrigation)	No precipitation	No precipitation	No precipitation

Source description	Material type	N (lbs/acre)	P (lbs/acre)	K (lbs/acre)	Salt (lbs/acre)	Amount
OID Canal	Surface water	0.88	0.00	0.00	45.28	2,400,000.00 *gal*
Application event totals		0.88	0.00	0.00	45.28	

Application date	Application method	Precipitation 24 hours prior	Precipitation during application	Precipitation 24 hours following
08/15/2023	Surface (irrigation)	No precipitation	No precipitation	No precipitation

Source description	Material type	N (lbs/acre)	P (lbs/acre)	K (lbs/acre)	Salt (lbs/acre)	Amount
OID Canal	Surface water	0.85	0.00	0.00	43.87	2,325,000.00 *gal*
Application event totals		0.85	0.00	0.00	43.87	

Application date	Application method	Precipitation 24 hours prior	Precipitation during application	Precipitation 24 hours following
08/30/2023	Surface (irrigation)	No precipitation	No precipitation	No precipitation

Source description	Material type	N (lbs/acre)	P (lbs/acre)	K (lbs/acre)	Salt (lbs/acre)	Amount
OID Canal	Surface water	0.85	0.00	0.00	43.87	2,325,000.00 *gal*
Application event totals		0.85	0.00	0.00	43.87	

Application date	Application method	Precipitation 24 hours prior	Precipitation during application	Precipitation 24 hours following
09/15/2023	Surface (irrigation)	No precipitation	No precipitation	No precipitation

Source description	Material type	N (lbs/acre)	P (lbs/acre)	K (lbs/acre)	Salt (lbs/acre)	Amount
OID Canal	Surface water	0.88	0.00	0.00	45.28	2,400,000.00 *gal*
Application event totals		0.88	0.00	0.00	45.28	

Application date	Application method	Precipitation 24 hours prior	Precipitation during application	Precipitation 24 hours following
09/30/2023	Surface (irrigation)	No precipitation	No precipitation	No precipitation

Source description	Material type	N (lbs/acre)	P (lbs/acre)	K (lbs/acre)	Salt (lbs/acre)	Amount
OID Canal	Surface water	0.85	0.00	0.00	43.87	2,325,000.00 *gal*
Application event totals		0.85	0.00	0.00	43.87	

Application date	Application method	Precipitation 24 hours prior	Precipitation during application	Precipitation 24 hours following
10/12/2023	Surface (irrigation)	No precipitation	No precipitation	No precipitation

Source description	Material type	N (lbs/acre)	P (lbs/acre)	K (lbs/acre)	Salt (lbs/acre)	Amount
OID Canal	Surface water	0.82	0.00	0.00	42.45	2,250,000.00 *gal*
Application event totals		0.82	0.00	0.00	42.45	

Field 10 & 11 - 10/31/2022: Oats, silage-soft dough

Field 10 & 11 - 10/31/2022: Oats, silage-soft dough

Field name: Field 10 & 11

Crop: Oats, silage-soft dough

Plant date: 10/31/2022

Application date	Application method	Precipitation 24 hours prior	Precipitation during application	Precipitation 24 hours following
10/12/2022	Surface (irrigation)	No precipitation	No precipitation	No precipitation

Source description	Material type	N (lbs/acre)	P (lbs/acre)	K (lbs/acre)	Salt (lbs/acre)	Amount
Slurry	Process wastewater sludge	285.44	12.95	88.87	334.39	541,500.00 *gal*
Application event totals		285.44	12.95	88.87	334.39	

Field 10 & 11 - 05/30/2023: Corn, silage

Field name: Field 10 & 11

Crop: Corn, silage

Plant date: 05/30/2023

Application date	Application method	Precipitation 24 hours prior	Precipitation during application	Precipitation 24 hours following
05/30/2023	Sidedress	No precipitation	No precipitation	No precipitation

Source description	Material type	N (lbs/acre)	P (lbs/acre)	K (lbs/acre)	Salt (lbs/acre)	Amount
4-0-0	Solid commercial fertilizer	8.00	0.00	0.00	0.00	
Application event totals		8.00	0.00	0.00	0.00	

05/31/2023	Surface (irrigation)	No precipitation	No precipitation	No precipitation

Source description	Material type	N (lbs/acre)	P (lbs/acre)	K (lbs/acre)	Salt (lbs/acre)	Amount
OID Canal	Surface water	1.10	0.00	0.00	56.41	7,800,000.00 *gal*
Application event totals		1.10	0.00	0.00	56.41	

06/20/2023	Surface (irrigation)	No precipitation	No precipitation	No precipitation

Source description	Material type	N (lbs/acre)	P (lbs/acre)	K (lbs/acre)	Salt (lbs/acre)	Amount
OID Canal	Surface water	1.01	0.00	0.00	52.07	7,200,000.00 *gal*
Application event totals		1.01	0.00	0.00	52.07	

Field 10 & 11 - 05/30/2023: Corn, silage

Application date	Application method	Precipitation 24 hours prior	Precipitation during application	Precipitation 24 hours following
07/04/2023	Surface (irrigation)	No precipitation	No precipitation	No precipitation

Source description	Material type	N (lbs/acre)	P (lbs/acre)	K (lbs/acre)	Salt (lbs/acre)	Amount
WWS	Process wastewater	296.18	26.81	343.27	2,387.59	2,970,000.00 *gal*
OID Canal	Surface water	0.70	0.00	0.00	35.80	4,950,000.00 *gal*
Application event totals		296.87	26.81	343.27	2,423.39	

Application date	Application method	Precipitation 24 hours prior	Precipitation during application	Precipitation 24 hours following
07/18/2023	Surface (irrigation)	No precipitation	No precipitation	No precipitation

Source description	Material type	N (lbs/acre)	P (lbs/acre)	K (lbs/acre)	Salt (lbs/acre)	Amount
OID Canal	Surface water	0.97	0.00	0.00	49.90	6,900,000.00 *gal*
Application event totals		0.97	0.00	0.00	49.90	

Application date	Application method	Precipitation 24 hours prior	Precipitation during application	Precipitation 24 hours following
08/08/2023	Surface (irrigation)	No precipitation	No precipitation	No precipitation

Source description	Material type	N (lbs/acre)	P (lbs/acre)	K (lbs/acre)	Salt (lbs/acre)	Amount
OID Canal	Surface water	0.95	0.00	0.00	48.82	6,750,000.00 *gal*
Application event totals		0.95	0.00	0.00	48.82	

Application date	Application method	Precipitation 24 hours prior	Precipitation during application	Precipitation 24 hours following
08/22/2023	Surface (irrigation)	No precipitation	No precipitation	No precipitation

Source description	Material type	N (lbs/acre)	P (lbs/acre)	K (lbs/acre)	Salt (lbs/acre)	Amount
OID Canal	Surface water	0.95	0.00	0.00	48.82	6,750,000.00 *gal*
Application event totals		0.95	0.00	0.00	48.82	

Application date	Application method	Precipitation 24 hours prior	Precipitation during application	Precipitation 24 hours following
09/05/2023	Surface (irrigation)	No precipitation	No precipitation	No precipitation

Source description	Material type	N (lbs/acre)	P (lbs/acre)	K (lbs/acre)	Salt (lbs/acre)	Amount
OID Canal	Surface water	0.93	0.00	0.00	47.73	6,600,000.00 *gal*
Application event totals		0.93	0.00	0.00	47.73	

Field 7&8 - 01/01/2023: Pasture

Field name: Field 7&8

Crop: Pasture

Plant date: 01/01/2023

Application date	Application method	Precipitation 24 hours prior	Precipitation during application	Precipitation 24 hours following

Field 7&8 - 01/01/2023: Pasture

Application date	Application method	Precipitation 24 hours prior	Precipitation during application	Precipitation 24 hours following
03/07/2023	Surface (irrigation)	No precipitation	No precipitation	No precipitation

Source description	Material type	N (lbs/acre)	P (lbs/acre)	K (lbs/acre)	Salt (lbs/acre)	Amount
WWS	Process wastewater	152.67	22.33	157.57	1,529.03	810,000.00 *gal*
Application event totals		152.67	22.33	157.57	1,529.03	

Application date	Application method	Precipitation 24 hours prior	Precipitation during application	Precipitation 24 hours following
04/17/2023	Surface (irrigation)	No precipitation	No precipitation	No precipitation

Source description	Material type	N (lbs/acre)	P (lbs/acre)	K (lbs/acre)	Salt (lbs/acre)	Amount
OID Canal	Surface water	0.87	0.00	0.00	44.89	3,000,000.00 *gal*
Application event totals		0.87	0.00	0.00	44.89	

Application date	Application method	Precipitation 24 hours prior	Precipitation during application	Precipitation 24 hours following
05/12/2023	Surface (irrigation)	No precipitation	No precipitation	No precipitation

Source description	Material type	N (lbs/acre)	P (lbs/acre)	K (lbs/acre)	Salt (lbs/acre)	Amount
OID Canal	Surface water	0.85	0.00	0.00	43.77	2,925,000.00 *gal*
Application event totals		0.85	0.00	0.00	43.77	

Application date	Application method	Precipitation 24 hours prior	Precipitation during application	Precipitation 24 hours following
06/01/2023	Surface (irrigation)	No precipitation	No precipitation	No precipitation

Source description	Material type	N (lbs/acre)	P (lbs/acre)	K (lbs/acre)	Salt (lbs/acre)	Amount
OID Canal	Surface water	0.87	0.00	0.00	44.89	3,000,000.00 *gal*
Application event totals		0.87	0.00	0.00	44.89	

Application date	Application method	Precipitation 24 hours prior	Precipitation during application	Precipitation 24 hours following
06/17/2023	Surface (irrigation)	No precipitation	No precipitation	No precipitation

Source description	Material type	N (lbs/acre)	P (lbs/acre)	K (lbs/acre)	Salt (lbs/acre)	Amount
OID Canal	Surface water	0.85	0.00	0.00	43.77	2,925,000.00 *gal*
Application event totals		0.85	0.00	0.00	43.77	

Application date	Application method	Precipitation 24 hours prior	Precipitation during application	Precipitation 24 hours following
07/13/2023	Surface (irrigation)	No precipitation	No precipitation	No precipitation

Source description	Material type	N (lbs/acre)	P (lbs/acre)	K (lbs/acre)	Salt (lbs/acre)	Amount
OID Canal	Surface water	0.85	0.00	0.00	43.77	2,925,000.00 *gal*
Application event totals		0.85	0.00	0.00	43.77	

Field 7&8 - 01/01/2023: Pasture

Application date	Application method	Precipitation 24 hours prior	Precipitation during application	Precipitation 24 hours following
08/01/2023	Surface (irrigation)	No precipitation	No precipitation	No precipitation

Source description	Material type	N (lbs/acre)	P (lbs/acre)	K (lbs/acre)	Salt (lbs/acre)	Amount
WWS	Process wastewater	241.40	21.85	279.78	1,946.00	1,170,000.00 *gal*
OID Canal	Surface water	0.57	0.00	0.00	29.18	1,950,000.00 *gal*
Application event totals		241.96	21.85	279.78	1,975.18	

Application date	Application method	Precipitation 24 hours prior	Precipitation during application	Precipitation 24 hours following
08/17/2023	Surface (irrigation)	No precipitation	No precipitation	No precipitation

Source description	Material type	N (lbs/acre)	P (lbs/acre)	K (lbs/acre)	Salt (lbs/acre)	Amount
OID Canal	Surface water	0.85	0.00	0.00	43.77	2,925,000.00 *gal*
Application event totals		0.85	0.00	0.00	43.77	

Application date	Application method	Precipitation 24 hours prior	Precipitation during application	Precipitation 24 hours following
09/01/2023	Surface (irrigation)	No precipitation	No precipitation	No precipitation

Source description	Material type	N (lbs/acre)	P (lbs/acre)	K (lbs/acre)	Salt (lbs/acre)	Amount
OID Canal	Surface water	0.87	0.00	0.00	44.89	3,000,000.00 *gal*
Application event totals		0.87	0.00	0.00	44.89	

Application date	Application method	Precipitation 24 hours prior	Precipitation during application	Precipitation 24 hours following
09/17/2023	Surface (irrigation)	No precipitation	No precipitation	No precipitation

Source description	Material type	N (lbs/acre)	P (lbs/acre)	K (lbs/acre)	Salt (lbs/acre)	Amount
OID Canal	Surface water	0.85	0.00	0.00	43.77	2,925,000.00 *gal*
Application event totals		0.85	0.00	0.00	43.77	

Application date	Application method	Precipitation 24 hours prior	Precipitation during application	Precipitation 24 hours following
10/02/2023	Surface (irrigation)	No precipitation	No precipitation	No precipitation

Source description	Material type	N (lbs/acre)	P (lbs/acre)	K (lbs/acre)	Salt (lbs/acre)	Amount
OID Canal	Surface water	0.87	0.00	0.00	44.89	3,000,000.00 *gal*
Application event totals		0.87	0.00	0.00	44.89	

Application date	Application method	Precipitation 24 hours prior	Precipitation during application	Precipitation 24 hours following
10/14/2023	Surface (irrigation)	No precipitation	No precipitation	No precipitation

Source description	Material type	N (lbs/acre)	P (lbs/acre)	K (lbs/acre)	Salt (lbs/acre)	Amount
OID Canal	Surface water	0.85	0.00	0.00	43.77	2,925,000.00 *gal*
Application event totals		0.85	0.00	0.00	43.77	

Fogarty Ranch - 10/29/2022: Oats, silage-soft dough

Field name: Fogarty Ranch

Crop: Oats, silage-soft dough

Plant date: 10/29/2022

Application date	Application method	Precipitation 24 hours prior	Precipitation during application	Precipitation 24 hours following
10/14/2022	Broadcast/incorporate	No precipitation	No precipitation	No precipitation

Source description	Material type	N (lbs/acre)	P (lbs/acre)	K (lbs/acre)	Salt (lbs/acre)	Amount
Solid Manure	Corral solids	181.03	122.95	306.97	11,460.18	2,040.00 *ton*
Application event totals		181.03	122.95	306.97	11,460.18	

McCormick - 01/01/2023: Pasture

Field name: McCormick

Crop: Pasture

Plant date: 01/01/2023

Application date	Application method	Precipitation 24 hours prior	Precipitation during application	Precipitation 24 hours following
01/25/2023	Surface (irrigation)	No precipitation	No precipitation	No precipitation

Source description	Material type	N (lbs/acre)	P (lbs/acre)	K (lbs/acre)	Salt (lbs/acre)	Amount
WWS	Process wastewater	170.29	24.91	175.75	1,705.46	405,000.00 *gal*
Application event totals		170.29	24.91	175.75	1,705.46	

Application date	Application method	Precipitation 24 hours prior	Precipitation during application	Precipitation 24 hours following
04/14/2023	Surface (irrigation)	No precipitation	No precipitation	No precipitation

Source description	Material type	N (lbs/acre)	P (lbs/acre)	K (lbs/acre)	Salt (lbs/acre)	Amount
OID Canal	Surface water	0.92	0.00	0.00	47.57	1,425,000.00 *gal*
Application event totals		0.92	0.00	0.00	47.57	

Application date	Application method	Precipitation 24 hours prior	Precipitation during application	Precipitation 24 hours following
05/09/2023	Surface (irrigation)	No precipitation	No precipitation	No precipitation

Source description	Material type	N (lbs/acre)	P (lbs/acre)	K (lbs/acre)	Salt (lbs/acre)	Amount
OID Canal	Surface water	0.88	0.00	0.00	45.06	1,350,000.00 *gal*
Application event totals		0.88	0.00	0.00	45.06	

McCormick - 01/01/2023: Pasture

Application date	Application method	Precipitation 24 hours prior	Precipitation during application	Precipitation 24 hours following
05/29/2023	Surface (irrigation)	No precipitation	No precipitation	No precipitation

Source description	Material type	N (lbs/acre)	P (lbs/acre)	K (lbs/acre)	Salt (lbs/acre)	Amount
OID Canal	Surface water	0.88	0.00	0.00	45.06	1,350,000.00 *gal*
Application event totals		0.88	0.00	0.00	45.06	

Application date	Application method	Precipitation 24 hours prior	Precipitation during application	Precipitation 24 hours following
06/14/2023	Surface (irrigation)	No precipitation	No precipitation	No precipitation

Source description	Material type	N (lbs/acre)	P (lbs/acre)	K (lbs/acre)	Salt (lbs/acre)	Amount
WWS	Process wastewater	138.66	31.93	443.70	2,169.96	540,000.00 *gal*
OID Canal	Surface water	0.58	0.00	0.00	30.04	900,000.00 *gal*
Application event totals		139.24	31.93	443.70	2,200.00	

Application date	Application method	Precipitation 24 hours prior	Precipitation during application	Precipitation 24 hours following
07/11/2023	Surface (irrigation)	No precipitation	No precipitation	No precipitation

Source description	Material type	N (lbs/acre)	P (lbs/acre)	K (lbs/acre)	Salt (lbs/acre)	Amount
OID Canal	Surface water	0.88	0.00	0.00	45.06	1,350,000.00 *gal*
Application event totals		0.88	0.00	0.00	45.06	

Application date	Application method	Precipitation 24 hours prior	Precipitation during application	Precipitation 24 hours following
07/29/2023	Surface (irrigation)	No precipitation	No precipitation	No precipitation

Source description	Material type	N (lbs/acre)	P (lbs/acre)	K (lbs/acre)	Salt (lbs/acre)	Amount
OID Canal	Surface water	0.88	0.00	0.00	45.06	1,350,000.00 *gal*
Application event totals		0.88	0.00	0.00	45.06	

Application date	Application method	Precipitation 24 hours prior	Precipitation during application	Precipitation 24 hours following
08/14/2023	Surface (irrigation)	No precipitation	No precipitation	No precipitation

Source description	Material type	N (lbs/acre)	P (lbs/acre)	K (lbs/acre)	Salt (lbs/acre)	Amount
OID Canal	Surface water	0.92	0.00	0.00	47.57	1,425,000.00 *gal*
Application event totals		0.92	0.00	0.00	47.57	

Application date	Application method	Precipitation 24 hours prior	Precipitation during application	Precipitation 24 hours following
08/29/2023	Surface (irrigation)	No precipitation	No precipitation	No precipitation

Source description	Material type	N (lbs/acre)	P (lbs/acre)	K (lbs/acre)	Salt (lbs/acre)	Amount
OID Canal	Surface water	0.88	0.00	0.00	45.06	1,350,000.00 *gal*
Application event totals		0.88	0.00	0.00	45.06	

McCormick - 01/01/2023: Pasture

Application date	Application method	Precipitation 24 hours prior	Precipitation during application	Precipitation 24 hours following
09/14/2023	Surface (irrigation)	No precipitation	No precipitation	No precipitation

Source description	Material type	N (lbs/acre)	P (lbs/acre)	K (lbs/acre)	Salt (lbs/acre)	Amount
OID Canal	Surface water	0.83	0.00	0.00	42.56	1,275,000.00 *gal*
Application event totals		0.83	0.00	0.00	42.56	

Application date	Application method	Precipitation 24 hours prior	Precipitation during application	Precipitation 24 hours following
09/29/2023	Surface (irrigation)	No precipitation	No precipitation	No precipitation

Source description	Material type	N (lbs/acre)	P (lbs/acre)	K (lbs/acre)	Salt (lbs/acre)	Amount
OID Canal	Surface water	0.88	0.00	0.00	45.06	1,350,000.00 *gal*
Application event totals		0.88	0.00	0.00	45.06	

Application date	Application method	Precipitation 24 hours prior	Precipitation during application	Precipitation 24 hours following
10/11/2023	Surface (irrigation)	No precipitation	No precipitation	No precipitation

Source description	Material type	N (lbs/acre)	P (lbs/acre)	K (lbs/acre)	Salt (lbs/acre)	Amount
OID Canal	Surface water	0.83	0.00	0.00	42.56	1,275,000.00 *gal*
Application event totals		0.83	0.00	0.00	42.56	

McPhee - 10/28/2022: Oats, silage-soft dough

Field name: McPhee

Crop: Oats, silage-soft dough Plant date: 10/28/2022

Application date	Application method	Precipitation 24 hours prior	Precipitation during application	Precipitation 24 hours following
10/13/2022	Broadcast/incorporate	No precipitation	No precipitation	No precipitation

Source description	Material type	N (lbs/acre)	P (lbs/acre)	K (lbs/acre)	Salt (lbs/acre)	Amount
Solid Manure	Corral solids	181.03	122.95	306.97	11,460.18	1,870.00 *ton*
Application event totals		181.03	122.95	306.97	11,460.18	

Ohe - 10/27/2022: Oats, silage-soft dough

Field name: Ohe

Crop: Oats, silage-soft dough Plant date: 10/27/2022

Ohe - 10/27/2022: Oats, silage-soft dough

Application date	Application method	Precipitation 24 hours prior	Precipitation during application	Precipitation 24 hours following
10/12/2022	Broadcast/incorporate	No precipitation	No precipitation	No precipitation

Source description	Material type	N (lbs/acre)	P (lbs/acre)	K (lbs/acre)	Salt (lbs/acre)	Amount
Solid Manure	Corral solids	181.03	122.95	306.97	11,460.18	1,870.00 *ton*
Application event totals		181.03	122.95	306.97	11,460.18	

Orchard - 01/01/2023: Pasture

Field name: Orchard

Crop: Pasture

Plant date: 01/01/2023

Application date	Application method	Precipitation 24 hours prior	Precipitation during application	Precipitation 24 hours following
04/13/2023	Surface (irrigation)	No precipitation	No precipitation	No precipitation

Source description	Material type	N (lbs/acre)	P (lbs/acre)	K (lbs/acre)	Salt (lbs/acre)	Amount
OID Canal	Surface water	0.88	0.00	0.00	45.28	2,400,000.00 *gal*
Application event totals		0.88	0.00	0.00	45.28	

05/08/2023	Surface (irrigation)	No precipitation	No precipitation	No precipitation

Source description	Material type	N (lbs/acre)	P (lbs/acre)	K (lbs/acre)	Salt (lbs/acre)	Amount
WWS	Process wastewater	124.09	28.57	397.08	1,941.95	855,000.00 *gal*
OID Canal	Surface water	0.52	0.00	0.00	26.89	1,425,000.00 *gal*
Application event totals		124.61	28.57	397.08	1,968.84	

05/28/2023	Surface (irrigation)	No precipitation	No precipitation	No precipitation

Source description	Material type	N (lbs/acre)	P (lbs/acre)	K (lbs/acre)	Salt (lbs/acre)	Amount
OID Canal	Surface water	0.87	0.00	0.00	44.57	2,362,500.00 *gal*
Application event totals		0.87	0.00	0.00	44.57	

06/13/2023	Surface (irrigation)	No precipitation	No precipitation	No precipitation

Source description	Material type	N (lbs/acre)	P (lbs/acre)	K (lbs/acre)	Salt (lbs/acre)	Amount
OID Canal	Surface water	0.85	0.00	0.00	43.87	2,325,000.00 *gal*
Application event totals		0.85	0.00	0.00	43.87	

Orchard - 01/01/2023: Pasture

Application date	Application method	Precipitation 24 hours prior	Precipitation during application	Precipitation 24 hours following
07/10/2023	Surface (irrigation)	No precipitation	No precipitation	No precipitation

Source description	Material type	N (lbs/acre)	P (lbs/acre)	K (lbs/acre)	Salt (lbs/acre)	Amount
OID Canal	Surface water	0.85	0.00	0.00	43.87	2,325,000.00 *gal*
Application event totals		0.85	0.00	0.00	43.87	

Application date	Application method	Precipitation 24 hours prior	Precipitation during application	Precipitation 24 hours following
07/28/2023	Surface (irrigation)	No precipitation	No precipitation	No precipitation

Source description	Material type	N (lbs/acre)	P (lbs/acre)	K (lbs/acre)	Salt (lbs/acre)	Amount
OID Canal	Surface water	0.85	0.00	0.00	43.87	2,325,000.00 *gal*
Application event totals		0.85	0.00	0.00	43.87	

Application date	Application method	Precipitation 24 hours prior	Precipitation during application	Precipitation 24 hours following
08/13/2023	Surface (irrigation)	No precipitation	No precipitation	No precipitation

Source description	Material type	N (lbs/acre)	P (lbs/acre)	K (lbs/acre)	Salt (lbs/acre)	Amount
OID Canal	Surface water	0.87	0.00	0.00	44.57	2,362,500.00 *gal*
Application event totals		0.87	0.00	0.00	44.57	

Application date	Application method	Precipitation 24 hours prior	Precipitation during application	Precipitation 24 hours following
08/28/2023	Surface (irrigation)	No precipitation	No precipitation	No precipitation

Source description	Material type	N (lbs/acre)	P (lbs/acre)	K (lbs/acre)	Salt (lbs/acre)	Amount
WWS	Process wastewater	163.89	14.83	189.95	1,321.19	630,000.00 *gal*
OID Canal	Surface water	0.66	0.00	0.00	33.96	1,800,000.00 *gal*
Application event totals		164.55	14.83	189.95	1,355.16	

Application date	Application method	Precipitation 24 hours prior	Precipitation during application	Precipitation 24 hours following
09/13/2023	Surface (irrigation)	No precipitation	No precipitation	No precipitation

Source description	Material type	N (lbs/acre)	P (lbs/acre)	K (lbs/acre)	Salt (lbs/acre)	Amount
OID Canal	Surface water	0.85	0.00	0.00	43.87	2,325,000.00 *gal*
Application event totals		0.85	0.00	0.00	43.87	

Application date	Application method	Precipitation 24 hours prior	Precipitation during application	Precipitation 24 hours following
09/28/2023	Surface (irrigation)	No precipitation	No precipitation	No precipitation

Source description	Material type	N (lbs/acre)	P (lbs/acre)	K (lbs/acre)	Salt (lbs/acre)	Amount
OID Canal	Surface water	0.85	0.00	0.00	43.87	2,325,000.00 *gal*
Application event totals		0.85	0.00	0.00	43.87	

Orchard - 01/01/2023: Pasture

Application date	Application method	Precipitation 24 hours prior	Precipitation during application	Precipitation 24 hours following
10/10/2023	Surface (irrigation)	No precipitation	No precipitation	No precipitation

Source description	Material type	N (lbs/acre)	P (lbs/acre)	K (lbs/acre)	Salt (lbs/acre)	Amount
OID Canal	Surface water	0.85	0.00	0.00	43.87	2,325,000.00 *gal*
Application event totals		0.85	0.00	0.00	43.87	

Parker - 01/01/2023: Pasture

Field name: Parker

Crop: Pasture

Plant date: 01/01/2023

Application date	Application method	Precipitation 24 hours prior	Precipitation during application	Precipitation 24 hours following
04/12/2023	Surface (irrigation)	No precipitation	No precipitation	No precipitation

Source description	Material type	N (lbs/acre)	P (lbs/acre)	K (lbs/acre)	Salt (lbs/acre)	Amount
WWS	Process wastewater	132.00	30.39	422.41	2,065.84	1,305,000.00 *gal*
OID Canal	Surface water	0.56	0.00	0.00	28.60	2,175,000.00 *gal*
Application event totals		132.56	30.39	422.41	2,094.44	

Application date	Application method	Precipitation 24 hours prior	Precipitation during application	Precipitation 24 hours following
05/07/2023	Surface (irrigation)	No precipitation	No precipitation	No precipitation

Source description	Material type	N (lbs/acre)	P (lbs/acre)	K (lbs/acre)	Salt (lbs/acre)	Amount
OID Canal	Surface water	0.84	0.00	0.00	43.39	3,300,000.00 *gal*
Application event totals		0.84	0.00	0.00	43.39	

Application date	Application method	Precipitation 24 hours prior	Precipitation during application	Precipitation 24 hours following
05/27/2023	Surface (irrigation)	No precipitation	No precipitation	No precipitation

Source description	Material type	N (lbs/acre)	P (lbs/acre)	K (lbs/acre)	Salt (lbs/acre)	Amount
OID Canal	Surface water	0.88	0.00	0.00	45.37	3,450,000.00 *gal*
Application event totals		0.88	0.00	0.00	45.37	

Application date	Application method	Precipitation 24 hours prior	Precipitation during application	Precipitation 24 hours following
06/12/2023	Surface (irrigation)	No precipitation	No precipitation	No precipitation

Source description	Material type	N (lbs/acre)	P (lbs/acre)	K (lbs/acre)	Salt (lbs/acre)	Amount
OID Canal	Surface water	0.86	0.00	0.00	44.38	3,375,000.00 *gal*
Application event totals		0.86	0.00	0.00	44.38	

Parker - 01/01/2023: Pasture

Application date	Application method	Precipitation 24 hours prior	Precipitation during application	Precipitation 24 hours following
07/09/2023	Surface (irrigation)	No precipitation	No precipitation	No precipitation

Source description	Material type	N (lbs/acre)	P (lbs/acre)	K (lbs/acre)	Salt (lbs/acre)	Amount
OID Canal	Surface water	0.88	0.00	0.00	45.37	3,450,000.00 *gal*
Application event totals		0.88	0.00	0.00	45.37	

07/27/2023	Surface (irrigation)	No precipitation	No precipitation	No precipitation

Source description	Material type	N (lbs/acre)	P (lbs/acre)	K (lbs/acre)	Salt (lbs/acre)	Amount
OID Canal	Surface water	0.84	0.00	0.00	43.39	3,300,000.00 *gal*
Application event totals		0.84	0.00	0.00	43.39	

08/12/2023	Surface (irrigation)	No precipitation	No precipitation	No precipitation

Source description	Material type	N (lbs/acre)	P (lbs/acre)	K (lbs/acre)	Salt (lbs/acre)	Amount
WWS	Process wastewater	228.46	20.68	264.78	1,841.67	1,260,000.00 *gal*
OID Canal	Surface water	0.54	0.00	0.00	27.61	2,100,000.00 *gal*
Application event totals		228.99	20.68	264.78	1,869.28	

08/27/2023	Surface (irrigation)	No precipitation	No precipitation	No precipitation

Source description	Material type	N (lbs/acre)	P (lbs/acre)	K (lbs/acre)	Salt (lbs/acre)	Amount
OID Canal	Surface water	0.86	0.00	0.00	44.38	3,375,000.00 *gal*
Application event totals		0.86	0.00	0.00	44.38	

09/12/2023	Surface (irrigation)	No precipitation	No precipitation	No precipitation

Source description	Material type	N (lbs/acre)	P (lbs/acre)	K (lbs/acre)	Salt (lbs/acre)	Amount
OID Canal	Surface water	0.88	0.00	0.00	45.37	3,450,000.00 *gal*
Application event totals		0.88	0.00	0.00	45.37	

09/27/2023	Surface (irrigation)	No precipitation	No precipitation	No precipitation

Source description	Material type	N (lbs/acre)	P (lbs/acre)	K (lbs/acre)	Salt (lbs/acre)	Amount
OID Canal	Surface water	0.86	0.00	0.00	44.38	3,375,000.00 *gal*
Application event totals		0.86	0.00	0.00	44.38	

Parker - 01/01/2023: Pasture

Application date	Application method	Precipitation 24 hours prior	Precipitation during application	Precipitation 24 hours following
10/09/2023	Surface (irrigation)	No precipitation	No precipitation	No precipitation

Source description	Material type	N (lbs/acre)	P (lbs/acre)	K (lbs/acre)	Salt (lbs/acre)	Amount
OID Canal	Surface water	0.84	0.00	0.00	43.39	3,300,000.00 *gal*
Application event totals		0.84	0.00	0.00	43.39	

Pivot 1 - 10/16/2022: Oats, silage-soft dough

Field name: Pivot 1

Crop: Oats, silage-soft dough

Plant date: 10/16/2022

Application date	Application method	Precipitation 24 hours prior	Precipitation during application	Precipitation 24 hours following
10/10/2022	Broadcast/incorporate	No precipitation	No precipitation	No precipitation

Source description	Material type	N (lbs/acre)	P (lbs/acre)	K (lbs/acre)	Salt (lbs/acre)	Amount
Solid Manure	Corral solids	181.54	123.29	307.83	11,492.28	1,790.00 *ton*
Application event totals		181.54	123.29	307.83	11,492.28	

Pivot 1 - 05/27/2023: Corn, silage

Field name: Pivot 1

Crop: Corn, silage

Plant date: 05/27/2023

Application date	Application method	Precipitation 24 hours prior	Precipitation during application	Precipitation 24 hours following
05/19/2023	Broadcast/incorporate	No precipitation	No precipitation	No precipitation

Source description	Material type	N (lbs/acre)	P (lbs/acre)	K (lbs/acre)	Salt (lbs/acre)	Amount
Solid Manure	Corral solids	254.24	94.38	337.56	2,474.33	1,200.00 *ton*
Application event totals		254.24	94.38	337.56	2,474.33	

Pivot 1 - 05/27/2023: Corn, silage

Application date	Application method	Precipitation 24 hours prior	Precipitation during application	Precipitation 24 hours following
05/27/2023	Sidedress	No precipitation	No precipitation	No precipitation

Source description	Material type	N (lbs/acre)	P (lbs/acre)	K (lbs/acre)	Salt (lbs/acre)	Amount
4-0-0	Solid commercial fertilizer	8.00	0.00	0.00	0.00	
Application event totals		8.00	0.00	0.00	0.00	

05/28/2023	Surface (irrigation)	No precipitation	No precipitation	No precipitation

Source description	Material type	N (lbs/acre)	P (lbs/acre)	K (lbs/acre)	Salt (lbs/acre)	Amount
OID Canal	Surface water	0.92	0.00	0.00	47.15	11,408,250.00 *gal*
Application event totals		0.92	0.00	0.00	47.15	

06/16/2023	Sidedress	No precipitation	No precipitation	No precipitation

Source description	Material type	N (lbs/acre)	P (lbs/acre)	K (lbs/acre)	Salt (lbs/acre)	Amount
UN 32	Solid commercial fertilizer	32.00	0.00	0.00	0.00	
Application event totals		32.00	0.00	0.00	0.00	

06/17/2023	Surface (irrigation)	No precipitation	No precipitation	No precipitation

Source description	Material type	N (lbs/acre)	P (lbs/acre)	K (lbs/acre)	Salt (lbs/acre)	Amount
OID Canal	Surface water	0.91	0.00	0.00	46.64	11,286,240.00 *gal*
Application event totals		0.91	0.00	0.00	46.64	

07/01/2023	Surface (irrigation)	No precipitation	No precipitation	No precipitation

Source description	Material type	N (lbs/acre)	P (lbs/acre)	K (lbs/acre)	Salt (lbs/acre)	Amount
OID Canal	Surface water	0.90	0.00	0.00	46.36	11,217,150.00 *gal*
Application event totals		0.90	0.00	0.00	46.36	

07/15/2023	Surface (irrigation)	No precipitation	No precipitation	No precipitation

Source description	Material type	N (lbs/acre)	P (lbs/acre)	K (lbs/acre)	Salt (lbs/acre)	Amount
OID Canal	Surface water	0.90	0.00	0.00	46.22	11,184,810.00 *gal*
Application event totals		0.90	0.00	0.00	46.22	

Pivot 1 - 05/27/2023: Corn, silage

Application date	Application method	Precipitation 24 hours prior	Precipitation during application	Precipitation 24 hours following
07/29/2023	Surface (irrigation)	No precipitation	No precipitation	No precipitation

Source description	Material type	N (lbs/acre)	P (lbs/acre)	K (lbs/acre)	Salt (lbs/acre)	Amount
OID Canal	Surface water	0.89	0.00	0.00	45.74	11,068,260.00 *gal*
Application event totals		0.89	0.00	0.00	45.74	

Application date	Application method	Precipitation 24 hours prior	Precipitation during application	Precipitation 24 hours following
08/12/2023	Surface (irrigation)	No precipitation	No precipitation	No precipitation

Source description	Material type	N (lbs/acre)	P (lbs/acre)	K (lbs/acre)	Salt (lbs/acre)	Amount
OID Canal	Surface water	0.89	0.00	0.00	45.73	11,064,375.00 *gal*
Application event totals		0.89	0.00	0.00	45.73	

Application date	Application method	Precipitation 24 hours prior	Precipitation during application	Precipitation 24 hours following
08/26/2023	Surface (irrigation)	No precipitation	No precipitation	No precipitation

Source description	Material type	N (lbs/acre)	P (lbs/acre)	K (lbs/acre)	Salt (lbs/acre)	Amount
OID Canal	Surface water	0.88	0.00	0.00	45.51	11,012,190.00 *gal*
Application event totals		0.88	0.00	0.00	45.51	

Pivot 2 - 10/14/2022: Oats, silage-soft dough

Field name: Pivot 2

Crop: Oats, silage-soft dough

Plant date: 10/14/2022

Application date	Application method	Precipitation 24 hours prior	Precipitation during application	Precipitation 24 hours following
10/10/2022	Broadcast/incorporate	No precipitation	No precipitation	No precipitation

Source description	Material type	N (lbs/acre)	P (lbs/acre)	K (lbs/acre)	Salt (lbs/acre)	Amount
Solid Manure	Corral solids	182.55	123.98	309.55	11,556.48	600.00 *ton*
Application event totals		182.55	123.98	309.55	11,556.48	

Pivot 2 - 05/24/2023: Corn, silage

Field name: Pivot 2

Crop: Corn, silage

Plant date: 05/24/2023

Pivot 2 - 05/24/2023: Corn, silage

Application date	Application method	Precipitation 24 hours prior	Precipitation during application	Precipitation 24 hours following
05/19/2023	Broadcast/incorporate	No precipitation	No precipitation	No precipitation

Source description	Material type	N (lbs/acre)	P (lbs/acre)	K (lbs/acre)	Salt (lbs/acre)	Amount
Solid Manure	Corral solids	254.24	94.38	337.56	2,474.33	400.00 *ton*
Application event totals		254.24	94.38	337.56	2,474.33	

Application date	Application method	Precipitation 24 hours prior	Precipitation during application	Precipitation 24 hours following
05/24/2023	Sidedress	No precipitation	No precipitation	No precipitation

Source description	Material type	N (lbs/acre)	P (lbs/acre)	K (lbs/acre)	Salt (lbs/acre)	Amount
4-0-0	Solid commercial fertilizer	8.00	0.00	0.00	0.00	
Application event totals		8.00	0.00	0.00	0.00	

Application date	Application method	Precipitation 24 hours prior	Precipitation during application	Precipitation 24 hours following
05/25/2023	Surface (irrigation)	No precipitation	No precipitation	No precipitation

Source description	Material type	N (lbs/acre)	P (lbs/acre)	K (lbs/acre)	Salt (lbs/acre)	Amount
OID Canal	Surface water	0.91	0.00	0.00	46.91	3,783,500.00 *gal*
Application event totals		0.91	0.00	0.00	46.91	

Application date	Application method	Precipitation 24 hours prior	Precipitation during application	Precipitation 24 hours following
06/13/2023	Sidedress	No precipitation	No precipitation	No precipitation

Source description	Material type	N (lbs/acre)	P (lbs/acre)	K (lbs/acre)	Salt (lbs/acre)	Amount
UN 32	Solid commercial fertilizer	32.00	0.00	0.00	0.00	
Application event totals		32.00	0.00	0.00	0.00	

Application date	Application method	Precipitation 24 hours prior	Precipitation during application	Precipitation 24 hours following
06/14/2023	Surface (irrigation)	No precipitation	No precipitation	No precipitation

Source description	Material type	N (lbs/acre)	P (lbs/acre)	K (lbs/acre)	Salt (lbs/acre)	Amount
OID Canal	Surface water	0.91	0.00	0.00	46.64	3,761,730.00 *gal*
Application event totals		0.91	0.00	0.00	46.64	

Application date	Application method	Precipitation 24 hours prior	Precipitation during application	Precipitation 24 hours following
06/28/2023	Surface (irrigation)	No precipitation	No precipitation	No precipitation

Source description	Material type	N (lbs/acre)	P (lbs/acre)	K (lbs/acre)	Salt (lbs/acre)	Amount
OID Canal	Surface water	0.90	0.00	0.00	46.55	3,754,310.00 *gal*
Application event totals		0.90	0.00	0.00	46.55	

Pivot 2 - 05/24/2023: Corn, silage

Application date	Application method	Precipitation 24 hours prior	Precipitation during application	Precipitation 24 hours following
07/12/2023	Surface (irrigation)	No precipitation	No precipitation	No precipitation

Source description	Material type	N (lbs/acre)	P (lbs/acre)	K (lbs/acre)	Salt (lbs/acre)	Amount
OID Canal	Surface water	0.90	0.00	0.00	46.24	3,729,425.00 *gal*
Application event totals		0.90	0.00	0.00	46.24	

Application date	Application method	Precipitation 24 hours prior	Precipitation during application	Precipitation 24 hours following
07/26/2023	Surface (irrigation)	No precipitation	No precipitation	No precipitation

Source description	Material type	N (lbs/acre)	P (lbs/acre)	K (lbs/acre)	Salt (lbs/acre)	Amount
OID Canal	Surface water	0.90	0.00	0.00	46.19	3,725,155.00 *gal*
Application event totals		0.90	0.00	0.00	46.19	

Application date	Application method	Precipitation 24 hours prior	Precipitation during application	Precipitation 24 hours following
08/09/2023	Surface (irrigation)	No precipitation	No precipitation	No precipitation

Source description	Material type	N (lbs/acre)	P (lbs/acre)	K (lbs/acre)	Salt (lbs/acre)	Amount
OID Canal	Surface water	0.89	0.00	0.00	45.77	3,691,310.00 *gal*
Application event totals		0.89	0.00	0.00	45.77	

Application date	Application method	Precipitation 24 hours prior	Precipitation during application	Precipitation 24 hours following
08/23/2023	Surface (irrigation)	No precipitation	No precipitation	No precipitation

Source description	Material type	N (lbs/acre)	P (lbs/acre)	K (lbs/acre)	Salt (lbs/acre)	Amount
OID Canal	Surface water	0.89	0.00	0.00	45.65	3,681,965.00 *gal*
Application event totals		0.89	0.00	0.00	45.65	

Stearns - 10/15/2022: Oats, hay

Field name: Stearns

Crop: Oats, hay

Plant date: 10/15/2022

Application date	Application method	Precipitation 24 hours prior	Precipitation during application	Precipitation 24 hours following
10/11/2022	Broadcast/incorporate	No precipitation	No precipitation	No precipitation

Source description	Material type	N (lbs/acre)	P (lbs/acre)	K (lbs/acre)	Salt (lbs/acre)	Amount
Solid Manure	Corral solids	181.03	122.95	306.97	11,460.18	1,190.00 *ton*
Application event totals		181.03	122.95	306.97	11,460.18	

B. NUTRIENT BUDGET

Almond Trees - 04/05/2015: Almonds, Field Run

Field name: Almond Trees | Crop: Almonds, Field Run | Plant date: 04/05/2015

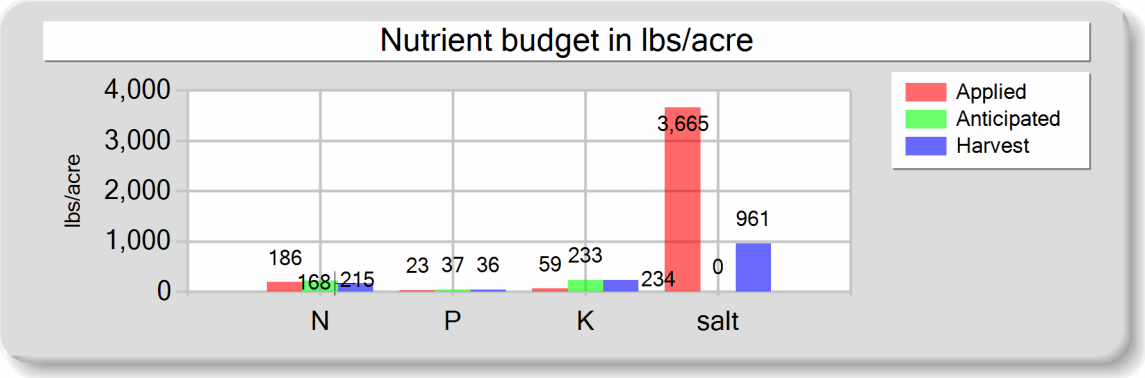

	Total N (lbs/acre)	Total P (lbs/acre)	Total K (lbs/acre)	Total salt (lbs/acre)
Existing soil nutrient content	0.00	0.00	0.00	0.00
Plowdown credit	0.00	0.00	0.00	0.00
Commercial fertilizer / Other	137.70	0.00	0.00	0.00
Dry manure	34.54	23.46	58.56	2,186.36
Process wastewater	0.00	0.00	0.00	0.00
Fresh water	0.00	0.00	0.00	1,478.66
Atmospheric deposition	14.00	0.00	0.00	0.00
Total nutrients applied	186.24	23.46	58.56	3,665.02
Anticipated crop nutrient removal	215.00	36.50	232.50	0.00
Actual crop nutrient removal	167.76	35.59	233.85	960.84
Nutrient balance	18.47	-12.13	-175.29	2,704.18
Applied to removed ratio	1.11	0.66	0.25	3.81

Fresh water applied	
227,401,000.00	*gallons*
8,374.41	*acre-inches*
45.27	*inches/acre*

Process wastewater applied	
0.00	*gallons*
0.00	*acre-inches*
0.00	*inches/acre*

Total harvests for the crop	
1	*harvests*

Condoni - 01/01/2023: Pasture

Field name: Condoni | Crop: Pasture | Plant date: 01/01/2023

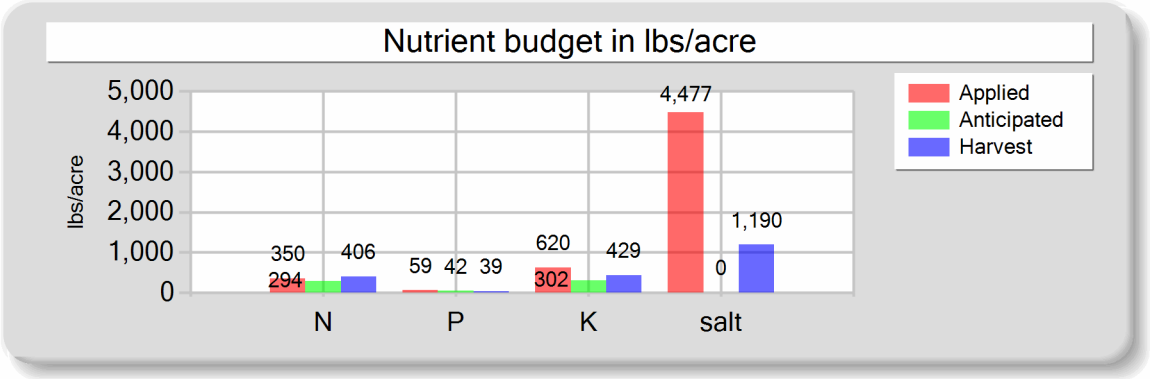

	Total N (lbs/acre)	Total P (lbs/acre)	Total K (lbs/acre)	Total salt (lbs/acre)
Existing soil nutrient content	0.00	0.00	0.00	0.00
Plowdown credit	0.00	0.00	0.00	0.00
Commercial fertilizer / Other	0.00	0.00	0.00	0.00
Dry manure	0.00	0.00	0.00	0.00
Process wastewater	326.96	58.75	619.67	4,008.10
Fresh water	9.10	0.00	0.00	468.66
Atmospheric deposition	14.00	0.00	0.00	0.00
Total nutrients applied	350.06	58.75	619.67	4,476.76
Anticipated crop nutrient removal	294.40	41.60	302.40	0.00
Actual crop nutrient removal	406.40	38.72	428.80	1,190.40
Nutrient balance	-56.34	20.03	190.87	3,286.36
Applied to removed ratio	0.86	1.52	1.45	3.76

Fresh water applied	
32,400,000.00	*gallons*
1,193.18	*acre-inches*
39.77	*inches/acre*

Process wastewater applied	
2,250,000.00	*gallons*
82.86	*acre-inches*
2.76	*inches/acre*

Total harvests for the crop	
1	*harvests*

Field 1 & 2 - 01/01/2023: Pasture

Field name: Field 1 & 2 Crop: Pasture Plant date: 01/01/2023

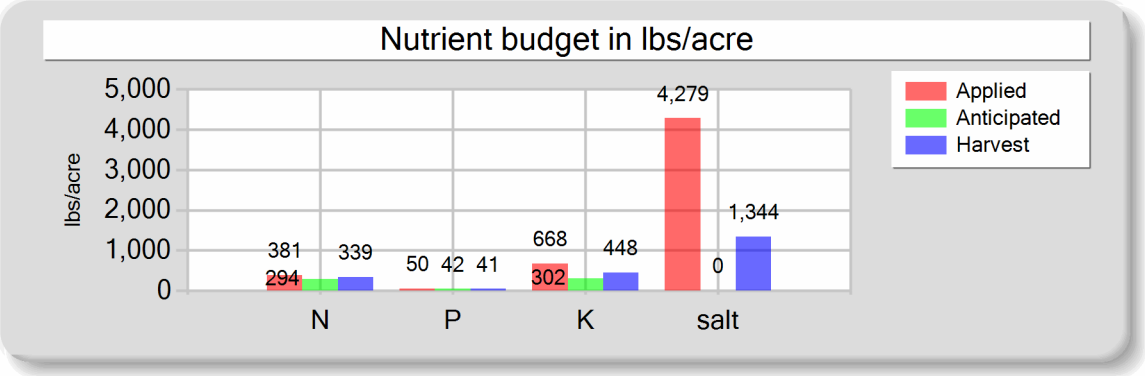

	Total N (lbs/acre)	Total P (lbs/acre)	Total K (lbs/acre)	Total salt (lbs/acre)
Existing soil nutrient content	0.00	0.00	0.00	0.00
Plowdown credit	0.00	0.00	0.00	0.00
Commercial fertilizer / Other	0.00	0.00	0.00	0.00
Dry manure	0.00	0.00	0.00	0.00
Process wastewater	358.22	49.76	668.43	3,829.38
Fresh water	8.74	0.00	0.00	449.98
Atmospheric deposition	14.00	0.00	0.00	0.00
Total nutrients applied	380.96	49.76	668.43	4,279.35
Anticipated crop nutrient removal	294.40	41.60	302.40	0.00
Actual crop nutrient removal	339.20	41.28	448.00	1,344.00
Nutrient balance	41.76	8.48	220.43	2,935.35
Applied to removed ratio	1.12	1.21	1.49	3.18

Fresh water applied	
23,850,000.00	*gallons*
878.31	*acre-inches*
38.19	*inches/acre*

Process wastewater applied	
1,755,000.00	*gallons*
64.63	*acre-inches*
2.81	*inches/acre*

Total harvests for the crop	
1	*harvests*

Field 10 & 11 - 10/31/2022: Oats, silage-soft dough

Field name: Field 10 & 11 Crop: Oats, silage-soft dough Plant date: 10/31/2022

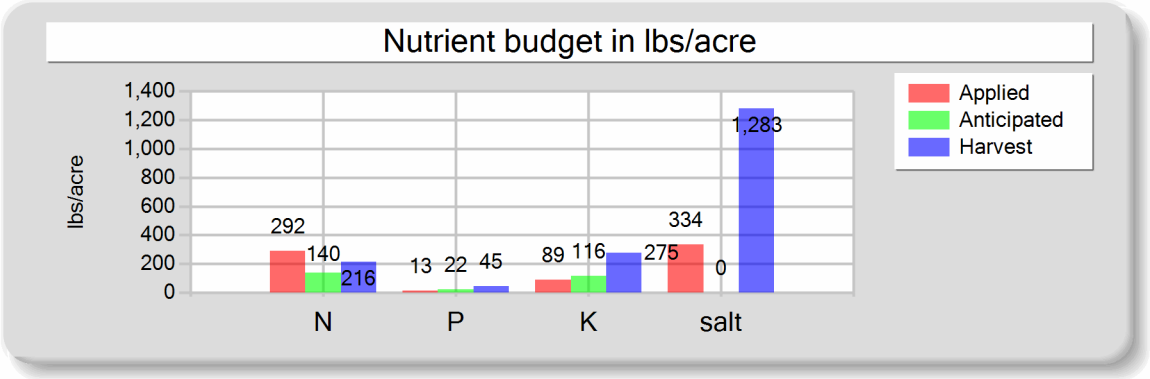

	Total N (lbs/acre)	Total P (lbs/acre)	Total K (lbs/acre)	Total salt (lbs/acre)
Existing soil nutrient content	0.00	0.00	0.00	0.00
Plowdown credit	0.00	0.00	0.00	0.00
Commercial fertilizer / Other	0.00	0.00	0.00	0.00
Dry manure	0.00	0.00	0.00	0.00
Process wastewater	285.44	12.95	88.87	334.39
Fresh water	0.00	0.00	0.00	0.00
Atmospheric deposition	7.00	0.00	0.00	0.00
Total nutrients applied	292.44	12.95	88.87	334.39
Anticipated crop nutrient removal	140.00	22.40	116.20	0.00
Actual crop nutrient removal	216.35	45.09	274.88	1,282.90
Nutrient balance	76.09	-32.13	-186.01	-948.51
Applied to removed ratio	1.35	0.29	0.32	0.26

Fresh water applied
0.00 *gallons*
0.00 *acre-inches*
0.00 *inches/acre*

Process wastewater applied
541,500.00 *gallons*
19.94 *acre-inches*
0.33 *inches/acre*

Total harvests for the crop
1 *harvests*

Field 10 & 11 - 05/30/2023: Corn, silage

Field name: Field 10 & 11 Crop: Corn, silage Plant date: 05/30/2023

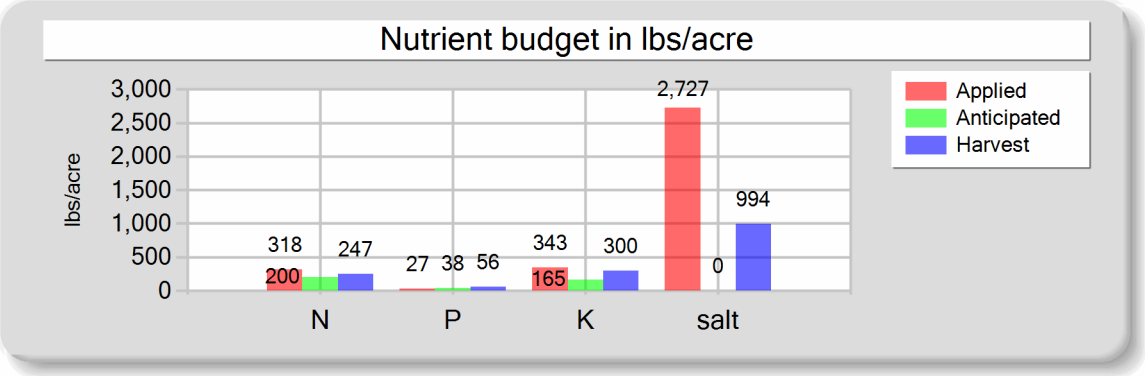

	Total N (lbs/acre)	Total P (lbs/acre)	Total K (lbs/acre)	Total salt (lbs/acre)
Existing soil nutrient content	0.00	0.00	0.00	0.00
Plowdown credit	0.00	0.00	0.00	0.00
Commercial fertilizer / Other	8.00	0.00	0.00	0.00
Dry manure	0.00	0.00	0.00	0.00
Process wastewater	296.18	26.81	343.27	2,387.59
Fresh water	6.60	0.00	0.00	339.56
Atmospheric deposition	7.00	0.00	0.00	0.00
Total nutrients applied	317.77	26.81	343.27	2,727.15
Anticipated crop nutrient removal	200.00	37.50	165.00	0.00
Actual crop nutrient removal	246.76	56.45	299.72	993.73
Nutrient balance	71.01	-29.64	43.54	1,733.42
Applied to removed ratio	1.29	0.47	1.15	2.74

Fresh water applied	
46,950,000.00	*gallons*
1,729.01	*acre-inches*
28.82	*inches/acre*

Process wastewater applied	
2,970,000.00	*gallons*
109.38	*acre-inches*
1.82	*inches/acre*

Total harvests for the crop	
1	*harvests*

Field 7&8 - 01/01/2023: Pasture

Field name: Field 7&8 Crop: Pasture Plant date: 01/01/2023

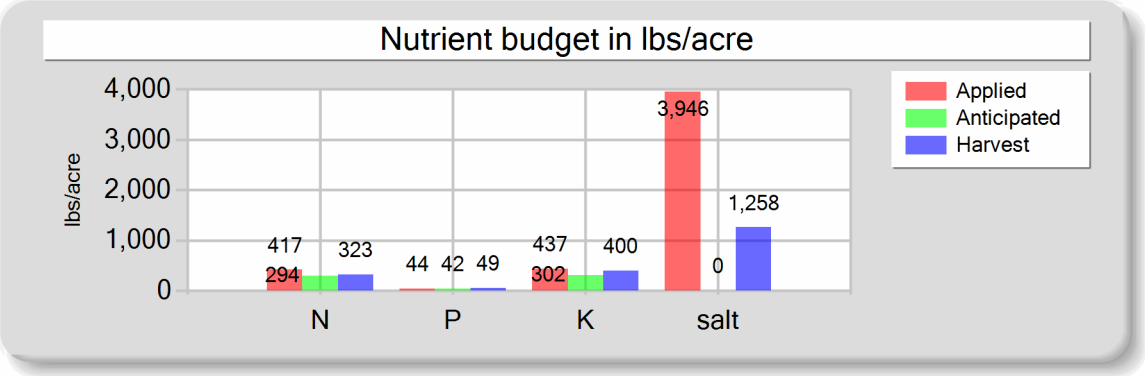

	Total N (lbs/acre)	Total P (lbs/acre)	Total K (lbs/acre)	Total salt (lbs/acre)
Existing soil nutrient content	0.00	0.00	0.00	0.00
Plowdown credit	0.00	0.00	0.00	0.00
Commercial fertilizer / Other	0.00	0.00	0.00	0.00
Dry manure	0.00	0.00	0.00	0.00
Process wastewater	394.07	44.18	437.34	3,475.03
Fresh water	9.16	0.00	0.00	471.35
Atmospheric deposition	14.00	0.00	0.00	0.00
Total nutrients applied	417.22	44.18	437.34	3,946.38
Anticipated crop nutrient removal	294.40	41.60	302.40	0.00
Actual crop nutrient removal	323.20	48.96	400.00	1,257.60
Nutrient balance	94.02	-4.78	37.34	2,688.78
Applied to removed ratio	1.29	0.90	1.09	3.14

Fresh water applied	
31,500,000.00	*gallons*
1,160.04	*acre-inches*
40.00	*inches/acre*

Process wastewater applied	
1,980,000.00	*gallons*
72.92	*acre-inches*
2.51	*inches/acre*

Total harvests for the crop	
1	*harvests*

Fogarty Ranch - 10/29/2022: Oats, silage-soft dough

Field name: Fogarty Ranch Crop: Oats, silage-soft dough Plant date: 10/29/2022

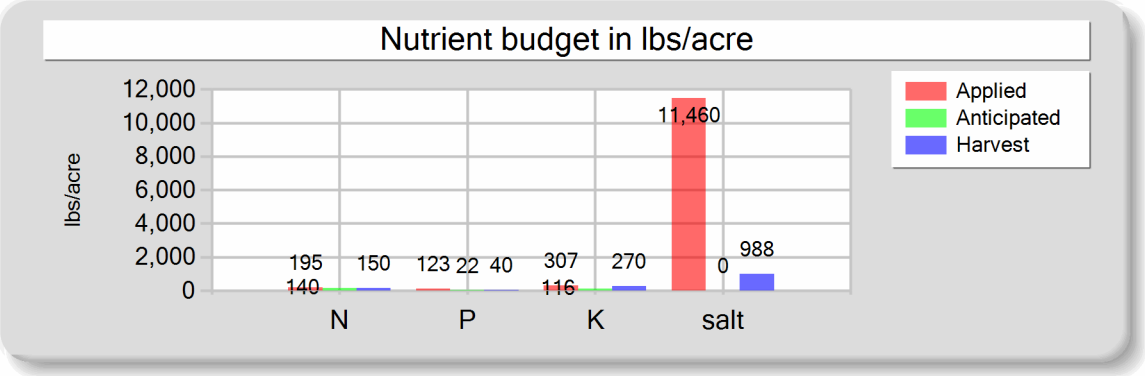

	Total N (lbs/acre)	Total P (lbs/acre)	Total K (lbs/acre)	Total salt (lbs/acre)
Existing soil nutrient content	0.00	0.00	0.00	0.00
Plowdown credit	0.00	0.00	0.00	0.00
Commercial fertilizer / Other	0.00	0.00	0.00	0.00
Dry manure	181.03	122.95	306.97	11,460.18
Process wastewater	0.00	0.00	0.00	0.00
Fresh water	0.00	0.00	0.00	0.00
Atmospheric deposition	14.00	0.00	0.00	0.00
Total nutrients applied	195.03	122.95	306.97	11,460.18
Anticipated crop nutrient removal	140.00	22.40	116.20	0.00
Actual crop nutrient removal	150.25	40.09	269.59	987.57
Nutrient balance	44.79	82.86	37.38	10,472.61
Applied to removed ratio	1.30	3.07	1.14	11.60

Fresh water applied
0.00 *gallons*
0.00 *acre-inches*
0.00 *inches/acre*

Process wastewater applied
0.00 *gallons*
0.00 *acre-inches*
0.00 *inches/acre*

Total harvests for the crop
1 *harvests*

McCormick - 01/01/2023: Pasture

Field name: McCormick | Crop: Pasture | Plant date: 01/01/2023

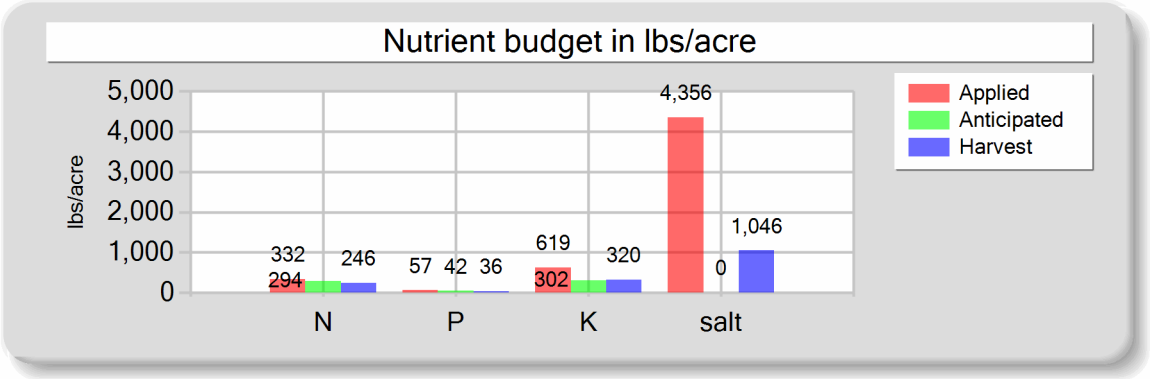

	Total N (lbs/acre)	Total P (lbs/acre)	Total K (lbs/acre)	Total salt (lbs/acre)
Existing soil nutrient content	0.00	0.00	0.00	0.00
Plowdown credit	0.00	0.00	0.00	0.00
Commercial fertilizer / Other	0.00	0.00	0.00	0.00
Dry manure	0.00	0.00	0.00	0.00
Process wastewater	308.94	56.83	619.44	3,875.42
Fresh water	9.34	0.00	0.00	480.67
Atmospheric deposition	14.00	0.00	0.00	0.00
Total nutrients applied	332.28	56.83	619.44	4,356.09
Anticipated crop nutrient removal	294.40	41.60	302.40	0.00
Actual crop nutrient removal	246.40	36.16	320.00	1,046.40
Nutrient balance	85.88	20.67	299.44	3,309.69
Applied to removed ratio	1.35	1.57	1.94	4.16

Fresh water applied	
14,400,000.00	*gallons*
530.30	*acre-inches*
40.79	*inches/acre*

Process wastewater applied	
945,000.00	*gallons*
34.80	*acre-inches*
2.68	*inches/acre*

Total harvests for the crop	
1	*harvests*

McPhee - 10/28/2022: Oats, silage-soft dough

Field name: McPhee | Crop: Oats, silage-soft dough | Plant date: 10/28/2022

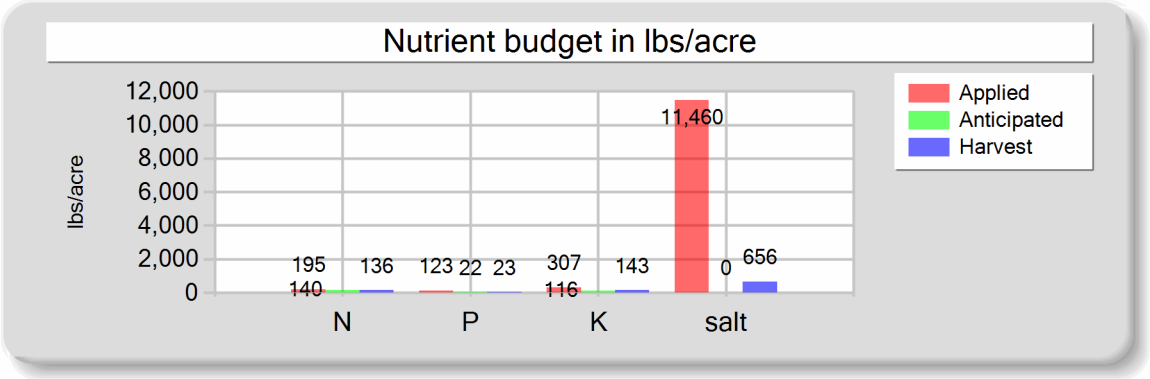

	Total N (lbs/acre)	Total P (lbs/acre)	Total K (lbs/acre)	Total salt (lbs/acre)
Existing soil nutrient content	0.00	0.00	0.00	0.00
Plowdown credit	0.00	0.00	0.00	0.00
Commercial fertilizer / Other	0.00	0.00	0.00	0.00
Dry manure	181.03	122.95	306.97	11,460.18
Process wastewater	0.00	0.00	0.00	0.00
Fresh water	0.00	0.00	0.00	0.00
Atmospheric deposition	14.00	0.00	0.00	0.00
Total nutrients applied	195.03	122.95	306.97	11,460.18
Anticipated crop nutrient removal	140.00	22.40	116.20	0.00
Actual crop nutrient removal	136.46	22.79	142.97	656.27
Nutrient balance	58.58	100.15	164.00	10,803.91
Applied to removed ratio	1.43	5.39	2.15	17.46

Fresh water applied
0.00 *gallons*
0.00 *acre-inches*
0.00 *inches/acre*

Process wastewater applied
0.00 *gallons*
0.00 *acre-inches*
0.00 *inches/acre*

Total harvests for the crop
1 *harvests*

Ohe - 10/27/2022: Oats, silage-soft dough

Field name: Ohe | Crop: Oats, silage-soft dough | Plant date: 10/27/2022

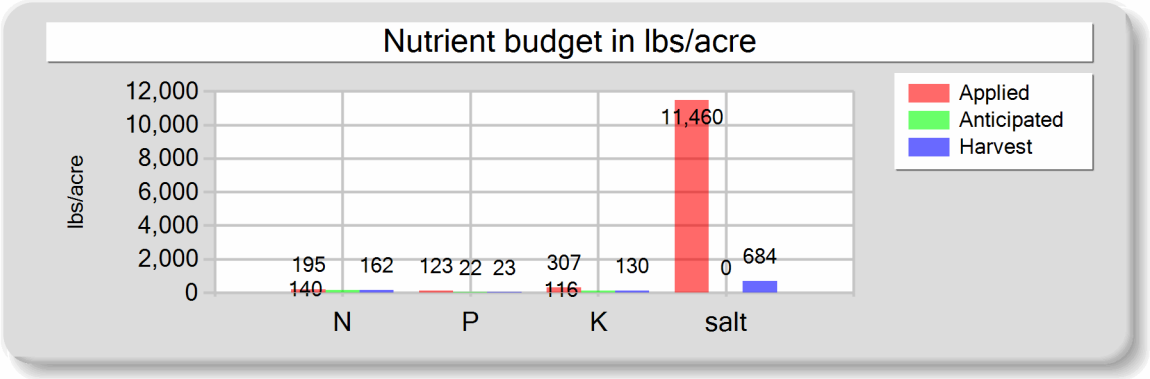

	Total N (lbs/acre)	Total P (lbs/acre)	Total K (lbs/acre)	Total salt (lbs/acre)
Existing soil nutrient content	0.00	0.00	0.00	0.00
Plowdown credit	0.00	0.00	0.00	0.00
Commercial fertilizer / Other	0.00	0.00	0.00	0.00
Dry manure	181.03	122.95	306.97	11,460.18
Process wastewater	0.00	0.00	0.00	0.00
Fresh water	0.00	0.00	0.00	0.00
Atmospheric deposition	14.00	0.00	0.00	0.00
Total nutrients applied	195.03	122.95	306.97	11,460.18
Anticipated crop nutrient removal	140.00	22.40	116.20	0.00
Actual crop nutrient removal	162.32	22.81	129.78	683.79
Nutrient balance	32.72	100.13	177.19	10,776.38
Applied to removed ratio	1.20	5.39	2.37	16.76

Fresh water applied
0.00 *gallons*
0.00 *acre-inches*
0.00 *inches/acre*

Process wastewater applied
0.00 *gallons*
0.00 *acre-inches*
0.00 *inches/acre*

Total harvests for the crop
1 *harvests*

Orchard - 01/01/2023: Pasture

Field name: Orchard | Crop: Pasture | Plant date: 01/01/2023

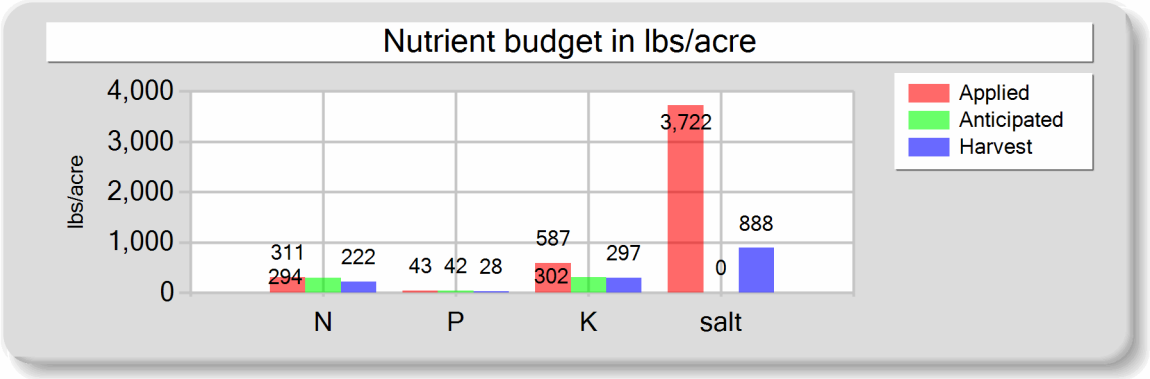

	Total N (lbs/acre)	Total P (lbs/acre)	Total K (lbs/acre)	Total salt (lbs/acre)
Existing soil nutrient content	0.00	0.00	0.00	0.00
Plowdown credit	0.00	0.00	0.00	0.00
Commercial fertilizer / Other	0.00	0.00	0.00	0.00
Dry manure	0.00	0.00	0.00	0.00
Process wastewater	287.98	43.41	587.03	3,263.15
Fresh water	8.90	0.00	0.00	458.47
Atmospheric deposition	14.00	0.00	0.00	0.00
Total nutrients applied	310.88	43.41	587.03	3,721.62
Anticipated crop nutrient removal	294.40	41.60	302.40	0.00
Actual crop nutrient removal	222.40	28.16	296.64	888.00
Nutrient balance	88.48	15.25	290.39	2,833.62
Applied to removed ratio	1.40	1.54	1.98	4.19

Fresh water applied	
24,300,000.00	*gallons*
894.89	*acre-inches*
38.91	*inches/acre*

Process wastewater applied	
1,485,000.00	*gallons*
54.69	*acre-inches*
2.38	*inches/acre*

Total harvests for the crop	
1	*harvests*

Parker - 01/01/2023: Pasture

Field name: Parker Crop: Pasture Plant date: 01/01/2023

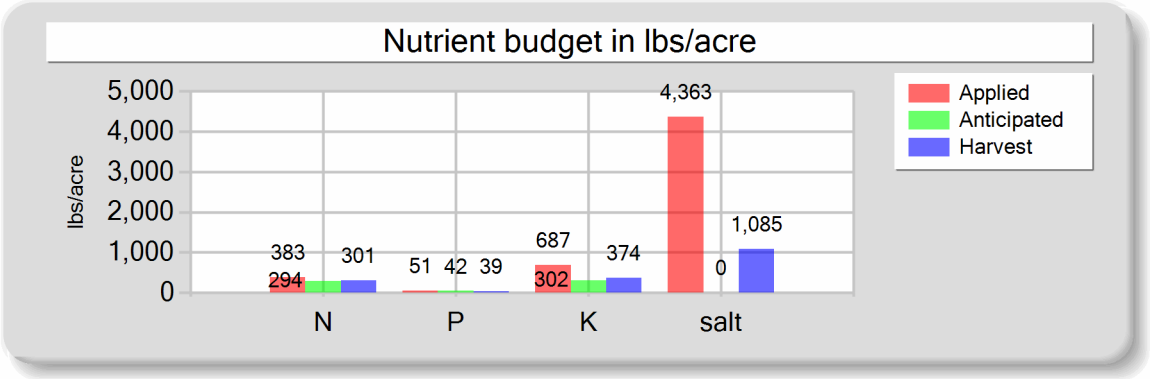

	Total N (lbs/acre)	Total P (lbs/acre)	Total K (lbs/acre)	Total salt (lbs/acre)
Existing soil nutrient content	0.00	0.00	0.00	0.00
Plowdown credit	0.00	0.00	0.00	0.00
Commercial fertilizer / Other	0.00	0.00	0.00	0.00
Dry manure	0.00	0.00	0.00	0.00
Process wastewater	360.46	51.07	687.19	3,907.51
Fresh water	8.85	0.00	0.00	455.64
Atmospheric deposition	14.00	0.00	0.00	0.00
Total nutrients applied	383.31	51.07	687.19	4,363.15
Anticipated crop nutrient removal	294.40	41.60	302.40	0.00
Actual crop nutrient removal	300.80	39.04	374.40	1,084.80
Nutrient balance	82.51	12.03	312.79	3,278.35
Applied to removed ratio	1.27	1.31	1.84	4.02

Fresh water applied	
34,650,000.00	*gallons*
1,276.04	*acre-inches*
38.67	*inches/acre*

Process wastewater applied	
2,565,000.00	*gallons*
94.46	*acre-inches*
2.86	*inches/acre*

Total harvests for the crop	
1	*harvests*

Pivot 1 - 10/16/2022: Oats, silage-soft dough

Field name: Pivot 1 Crop: Oats, silage-soft dough Plant date: 10/16/2022

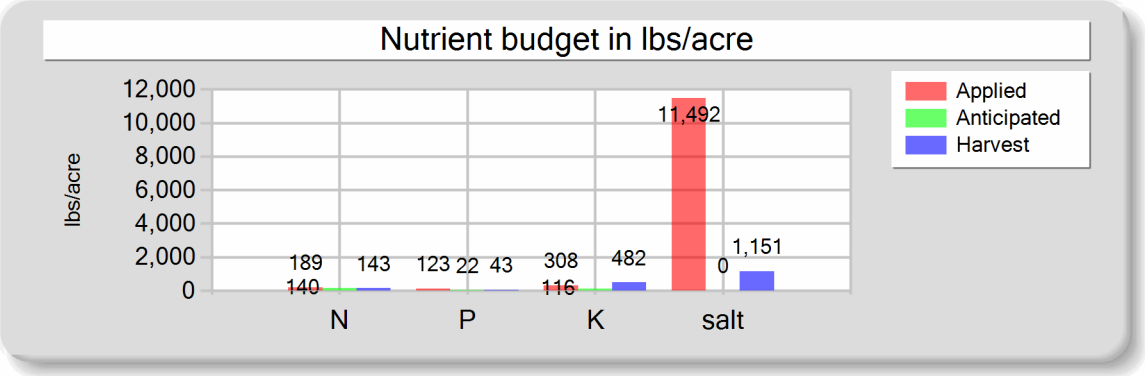

	Total N (lbs/acre)	Total P (lbs/acre)	Total K (lbs/acre)	Total salt (lbs/acre)
Existing soil nutrient content	0.00	0.00	0.00	0.00
Plowdown credit	0.00	0.00	0.00	0.00
Commercial fertilizer / Other	0.00	0.00	0.00	0.00
Dry manure	181.54	123.29	307.83	11,492.28
Process wastewater	0.00	0.00	0.00	0.00
Fresh water	0.00	0.00	0.00	0.00
Atmospheric deposition	7.00	0.00	0.00	0.00
Total nutrients applied	188.54	123.29	307.83	11,492.28
Anticipated crop nutrient removal	140.00	22.40	116.20	0.00
Actual crop nutrient removal	143.20	43.13	482.02	1,151.11
Nutrient balance	45.34	80.16	-174.20	10,341.17
Applied to removed ratio	1.32	2.86	0.64	9.98

Fresh water applied
0.00 *gallons*
0.00 *acre-inches*
0.00 *inches/acre*

Process wastewater applied
0.00 *gallons*
0.00 *acre-inches*
0.00 *inches/acre*

Total harvests for the crop
1 *harvests*

Pivot 1 - 05/27/2023: Corn, silage

Field name: Pivot 1 Crop: Corn, silage Plant date: 05/27/2023

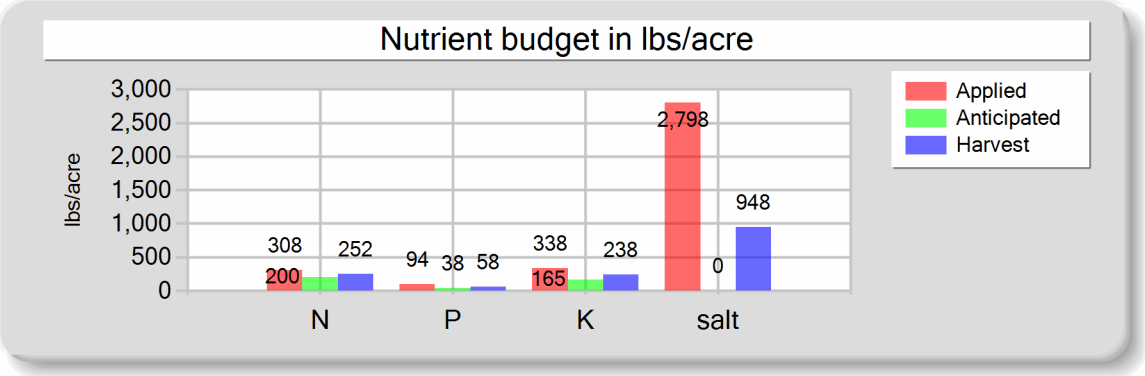

	Total N (lbs/acre)	Total P (lbs/acre)	Total K (lbs/acre)	Total salt (lbs/acre)
Existing soil nutrient content	0.00	0.00	0.00	0.00
Plowdown credit	0.00	0.00	0.00	0.00
Commercial fertilizer / Other	40.00	0.00	0.00	0.00
Dry manure	254.24	94.38	337.56	2,474.33
Process wastewater	0.00	0.00	0.00	0.00
Fresh water	6.28	0.00	0.00	323.35
Atmospheric deposition	7.00	0.00	0.00	0.00
Total nutrients applied	307.52	94.38	337.56	2,797.68
Anticipated crop nutrient removal	200.00	37.50	165.00	0.00
Actual crop nutrient removal	251.87	57.82	237.97	947.99
Nutrient balance	55.65	36.56	99.60	1,849.69
Applied to removed ratio	1.22	1.63	1.42	2.95

Fresh water applied	
78,241,275.00	*gallons*
2,881.36	*acre-inches*
27.44	*inches/acre*

Process wastewater applied	
0.00	*gallons*
0.00	*acre-inches*
0.00	*inches/acre*

Total harvests for the crop	
1	*harvests*

Pivot 2 - 10/14/2022: Oats, silage-soft dough

Field name: Pivot 2 Crop: Oats, silage-soft dough Plant date: 10/14/2022

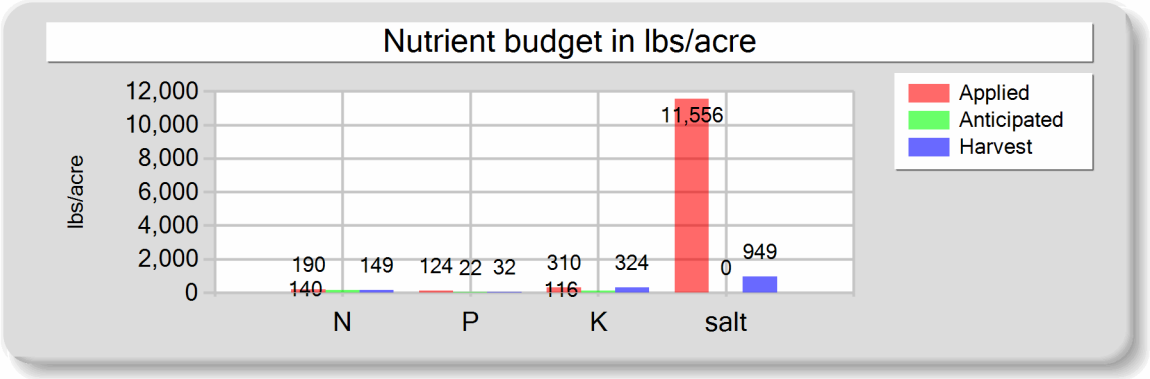

	Total N (lbs/acre)	Total P (lbs/acre)	Total K (lbs/acre)	Total salt (lbs/acre)
Existing soil nutrient content	0.00	0.00	0.00	0.00
Plowdown credit	0.00	0.00	0.00	0.00
Commercial fertilizer / Other	0.00	0.00	0.00	0.00
Dry manure	182.55	123.98	309.55	11,556.48
Process wastewater	0.00	0.00	0.00	0.00
Fresh water	0.00	0.00	0.00	0.00
Atmospheric deposition	7.00	0.00	0.00	0.00
Total nutrients applied	189.55	123.98	309.55	11,556.48
Anticipated crop nutrient removal	140.00	22.40	116.20	0.00
Actual crop nutrient removal	148.50	32.10	324.00	949.45
Nutrient balance	41.05	91.88	-14.45	10,607.03
Applied to removed ratio	1.28	3.86	0.96	12.17

Fresh water applied
0.00 *gallons*
0.00 *acre-inches*
0.00 *inches/acre*

Process wastewater applied
0.00 *gallons*
0.00 *acre-inches*
0.00 *inches/acre*

Total harvests for the crop
1 *harvests*

Pivot 2 - 05/24/2023: Corn, silage

Field name: Pivot 2 Crop: Corn, silage Plant date: 05/24/2023

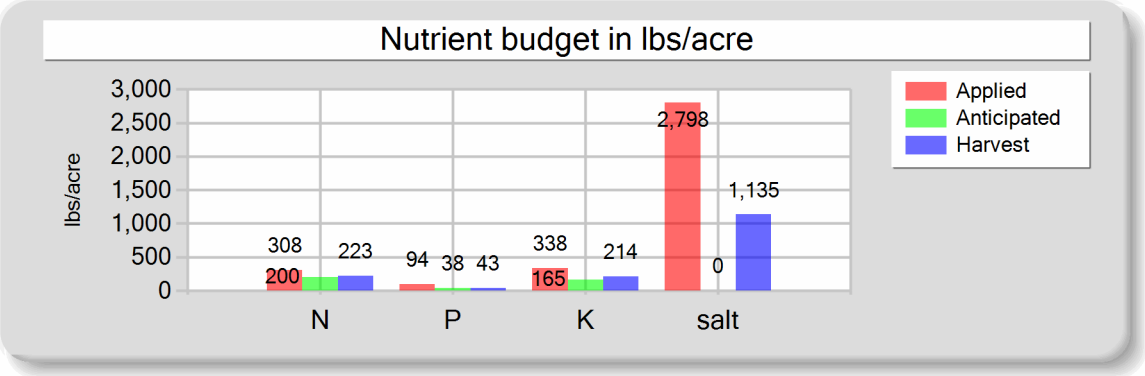

	Total N (lbs/acre)	Total P (lbs/acre)	Total K (lbs/acre)	Total salt (lbs/acre)
Existing soil nutrient content	0.00	0.00	0.00	0.00
Plowdown credit	0.00	0.00	0.00	0.00
Commercial fertilizer / Other	40.00	0.00	0.00	0.00
Dry manure	254.24	94.38	337.56	2,474.33
Process wastewater	0.00	0.00	0.00	0.00
Fresh water	6.29	0.00	0.00	323.93
Atmospheric deposition	7.00	0.00	0.00	0.00
Total nutrients applied	307.53	94.38	337.56	2,798.27
Anticipated crop nutrient removal	200.00	37.50	165.00	0.00
Actual crop nutrient removal	222.87	42.84	214.20	1,135.26
Nutrient balance	84.66	51.54	123.36	1,663.01
Applied to removed ratio	1.38	2.20	1.58	2.46

Fresh water applied	
26,127,395.00	*gallons*
962.18	*acre-inches*
27.49	*inches/acre*

Process wastewater applied	
0.00	*gallons*
0.00	*acre-inches*
0.00	*inches/acre*

Total harvests for the crop	
1	*harvests*

Stearns - 10/15/2022: Oats, hay

Field name: Stearns Crop: Oats, hay Plant date: 10/15/2022

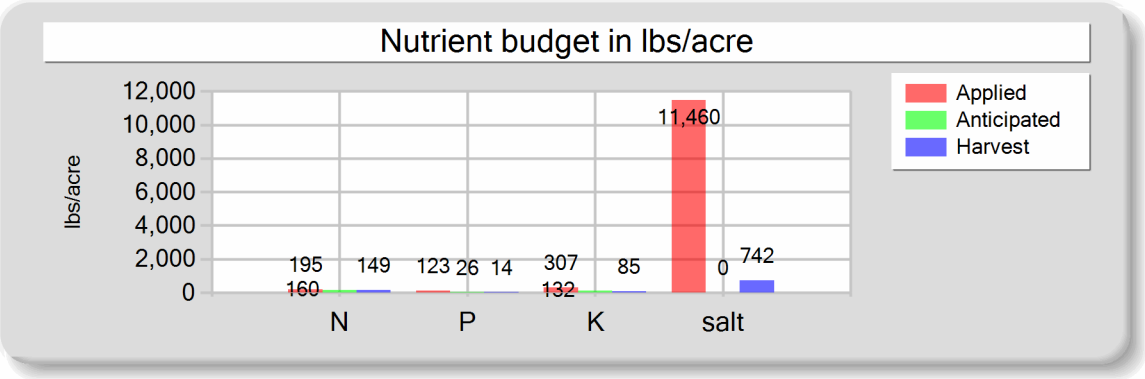

	Total N (lbs/acre)	Total P (lbs/acre)	Total K (lbs/acre)	Total salt (lbs/acre)
Existing soil nutrient content	0.00	0.00	0.00	0.00
Plowdown credit	0.00	0.00	0.00	0.00
Commercial fertilizer / Other	0.00	0.00	0.00	0.00
Dry manure	181.03	122.95	306.97	11,460.18
Process wastewater	0.00	0.00	0.00	0.00
Fresh water	0.00	0.00	0.00	0.00
Atmospheric deposition	14.00	0.00	0.00	0.00
Total nutrients applied	195.03	122.95	306.97	11,460.18
Anticipated crop nutrient removal	160.00	26.00	132.00	0.00
Actual crop nutrient removal	148.50	13.59	85.32	741.73
Nutrient balance	46.53	109.36	221.65	10,718.45
Applied to removed ratio	1.31	9.05	3.60	15.45

Fresh water applied
0.00 *gallons*
0.00 *acre-inches*
0.00 *inches/acre*

Process wastewater applied
0.00 *gallons*
0.00 *acre-inches*
0.00 *inches/acre*

Total harvests for the crop
1 *harvests*

NUTRIENT ANALYSES

A. MANURE ANALYSES

Corral Solids

Sample and source description: Corral Solids

Sample date: 09/14/2022 Material type: Corral solids Source of analysis: Lab analysis Method of reporting: Dry-weight

Moisture: 53.7 %

	Total N (mg/kg)	Total P (mg/kg)	Total K (mg/kg)	Calcium (mg/kg)	Magnesium (mg/kg)	Sodium (mg/kg)	Sulfur (mg/kg)	Chloride (mg/kg)	Total salt (mg/kg)	TFS (%)
Value	11,500.00	7,810.00	19,500.00	27,300.00	8,500.00	2,960.00	5,600.00	1,730.00		72.80
DL	100.00	100.00	100.00	100.00	100.00	100.00	100.00	1,000.00		0.01

Corral Solids

Sample and source description: Corral Solids

Sample date: 04/19/2023 Material type: Corral solids Source of analysis: Lab analysis Method of reporting: Dry-weight

Moisture: 62.8 %

	Total N (mg/kg)	Total P (mg/kg)	Total K (mg/kg)	Calcium (mg/kg)	Magnesium (mg/kg)	Sodium (mg/kg)	Sulfur (mg/kg)	Chloride (mg/kg)	Total salt (mg/kg)	TFS (%)
Value	29,900.00	11,100.00	39,700.00	36,500.00	15,000.00	12,900.00	7,100.00	2,820.00		29.10
DL	100.00	100.00	100.00	100.00	100.00	100.00	100.00	1,000.00		0.01

Separated Solids

Sample and source description: Separated Solids

Sample date: 04/19/2023 Material type: Separator solids Source of analysis: Lab analysis Method of reporting: Dry-weight

Moisture: 75.8 %

	Total N (mg/kg)	Total P (mg/kg)	Total K (mg/kg)	Calcium (mg/kg)	Magnesium (mg/kg)	Sodium (mg/kg)	Sulfur (mg/kg)	Chloride (mg/kg)	Total salt (mg/kg)	TFS (%)
Value	22,200.00	3,590.00	10,200.00							11.70
DL	100.00	100.00	100.00							0.01

Compost

Sample and source description: Compost

Sample date: 10/11/2023 Material type: Compost Source of analysis: Lab analysis Method of reporting: Dry-weight

Moisture: 7.9 %

	Total N (mg/kg)	Total P (mg/kg)	Total K (mg/kg)	Calcium (mg/kg)	Magnesium (mg/kg)	Sodium (mg/kg)	Sulfur (mg/kg)	Chloride (mg/kg)	Total salt (mg/kg)	TFS (%)
Value	21,700.00	4,790.00	13,700.00							50.50
DL	100.00	100.00	100.00							0.01

Corral Solids

Sample and source description: Corral Solids

Sample date: 10/11/2023 Material type: Corral solids Source of analysis: Lab analysis Method of reporting: Dry-weight

Moisture: 68.6 %

	Total N (mg/kg)	Total P (mg/kg)	Total K (mg/kg)	Calcium (mg/kg)	Magnesium (mg/kg)	Sodium (mg/kg)	Sulfur (mg/kg)	Chloride (mg/kg)	Total salt (mg/kg)	TFS (%)
Value	24,400.00	8,210.00	13,700.00							44.70
DL	100.00	100.00	100.00							0.01

Separated Solids

Sample and source description: Separated Solids

Sample date: 10/11/2023 Material type: Separator solids Source of analysis: Lab analysis Method of reporting: Dry-weight

Moisture: 70.9 %

	Total N (mg/kg)	Total P (mg/kg)	Total K (mg/kg)	Calcium (mg/kg)	Magnesium (mg/kg)	Sodium (mg/kg)	Sulfur (mg/kg)	Chloride (mg/kg)	Total salt (mg/kg)	TFS (%)
Value	21,400.00	4,310.00	8,880.00							11.70
DL	100.00	100.00	100.00							0.01

B. PROCESS WASTEWATER ANALYSES

2022 Slurry

Sample and source description: 2022 Slurry

Sample date: 10/10/2022 Material type: Process wastewater sludge Source of analysis: Lab analysis pH:

	Kjeldahl-N (mg/L)	NH4-N (mg/L)	NH3-N (mg/L)	Nitrate-N (mg/L)	Total P (mg/L)	Total K (mg/L)	Calcium (mg/L)	Magnes. (mg/L)	Sodium (mg/L)	Bicarb. (mg/L)	Carb. (mg/L)	Sulfate (mg/L)	Chloride (mg/L)	EC (µmhos/cm)	TDS (mg/L)
Value	3,790.00	784.00	0.00	0.00	172.00	1,180.00								8,970.00	4,440
DL	0.50	0.50	0.50	0.50	0.50	0.50								1.00	10

1QWW

Sample and source description: 1QWW

Sample date: 02/23/2023 Material type: Process wastewater Source of analysis: Lab analysis pH:

	Kjeldahl-N (mg/L)	NH4-N (mg/L)	NH3-N (mg/L)	Nitrate-N (mg/L)	Total P (mg/L)	Total K (mg/L)	Calcium (mg/L)	Magnes. (mg/L)	Sodium (mg/L)	Bicarb. (mg/L)	Carb. (mg/L)	Sulfate (mg/L)	Chloride (mg/L)	EC (µmhos/cm)	TDS (mg/L)
Value	655.00	347.00	0.00	0.00	95.80	676.00	209.00	131.00	218.00	3,220.00	0.00	151.00	244.00	5,960.00	6,560
DL	0.50	0.50	0.50	0.50	0.50	0.50	0.50	0.50	0.50	0.50	0.50	0.50	0.50	1.00	10

2QWW

Sample and source description: 2QWW

Sample date: 04/12/2023 Material type: Process wastewater Source of analysis: Lab analysis pH:

	Kjeldahl-N (mg/L)	NH4-N (mg/L)	NH3-N (mg/L)	Nitrate-N (mg/L)	Total P (mg/L)	Total K (mg/L)	Calcium (mg/L)	Magnes. (mg/L)	Sodium (mg/L)	Bicarb. (mg/L)	Carb. (mg/L)	Sulfate (mg/L)	Chloride (mg/L)	EC (µmhos/cm)	TDS (mg/L)
Value	400.00	207.00	0.00	0.00	92.10	1,280.00								6,710.00	6,260
DL	0.50	0.50	0.50	0.50	0.50	0.50								1.00	10

3QWW

Sample and source description: 3QWW

Sample date: 07/27/2023 Material type: Process wastewater Source of analysis: Lab analysis pH:

	Kjeldahl-N (mg/L)	NH4-N (mg/L)	NH3-N (mg/L)	Nitrate-N (mg/L)	Total P (mg/L)	Total K (mg/L)	Calcium (mg/L)	Magnes. (mg/L)	Sodium (mg/L)	Bicarb. (mg/L)	Carb. (mg/L)	Sulfate (mg/L)	Chloride (mg/L)	EC (µmhos/cm)	TDS (mg/L)
Value	717.00	426.00	0.00	0.00	64.90	831.00								6,670.00	5,780
DL	0.50	0.50	0.50	0.50	0.50	0.50								1.00	10

Slurry

Sample and source description: Slurry

Sample date: 10/09/2023 Material type: Process wastewater Source of analysis: Lab analysis pH:

	Kjeldahl-N (mg/L)	NH4-N (mg/L)	NH3-N (mg/L)	Nitrate-N (mg/L)	Total P (mg/L)	Total K (mg/L)	Calcium (mg/L)	Magnes. (mg/L)	Sodium (mg/L)	Bicarb. (mg/L)	Carb. (mg/L)	Sulfate (mg/L)	Chloride (mg/L)	EC (µmhos/cm)	TDS (mg/L)
Value	865.00	210.00	0.00	0.00	136.00	1,540.00	470.00	214.00	509.00	11,400.00	0.00	793.00	641.00	7,890.00	4,040
DL	0.50	0.50	0.50	0.50	0.50	0.50	0.50	0.50	0.50	0.50	0.50	0.50	0.50	1.00	10

4QWW

Sample and source description: 4QWW

Sample date: 11/01/2023 Material type: Process wastewater Source of analysis: Lab analysis pH:

	Kjeldahl-N (mg/L)	NH4-N (mg/L)	NH3-N (mg/L)	Nitrate-N (mg/L)	Total P (mg/L)	Total K (mg/L)	Calcium (mg/L)	Magnes. (mg/L)	Sodium (mg/L)	Bicarb. (mg/L)	Carb. (mg/L)	Sulfate (mg/L)	Chloride (mg/L)	EC (µmhos/cm)	TDS (mg/L)
Value	994.00	683.00	0.00	0.00	51.20	1,370.00								1,180.00	11,500
DL	0.50	0.50	0.50	0.50	0.50	0.50								1.00	100

C. FRESH WATER ANALYSES

Irrigation Wells

IW Almonds

Sample description: IW Almonds

Sample date: 11/02/2023 Source of analysis: Lab analysis

	Total N (mg/L)	NH4-N (mg/L)	Nitrate-N (mg/L)	Calcium (mg/L)	Magnesium (mg/L)	Sodium (mg/L)	Bicarbonate (mg/L)	Carbonate (mg/L)	Sulfate (mg/L)	Chloride (mg/L)	EC (µmhos/cm)	TDS (mg/L)
Value	0.00	0.00	0.00								181.00	146
DL	1.00	0.50	0.10								10.00	10

Irrigation Wells

IW Dairy

Sample description: IW Dairy

Sample date: 11/02/2023 Source of analysis: Lab analysis

	Total N (mg/L)	NH4-N (mg/L)	Nitrate-N (mg/L)	Calcium (mg/L)	Magnesium (mg/L)	Sodium (mg/L)	Bicarbonate (mg/L)	Carbonate (mg/L)	Sulfate (mg/L)	Chloride (mg/L)	EC (µmhos/cm)	TDS (mg/L)
Value	0.00	0.00	0.00								208.00	142
DL	1.00	0.50	0.10								10.00	10

Iw Fogarty

Sample description: Iw Fogarty

Sample date: 11/02/2023 Source of analysis: Lab analysis

	Total N (mg/L)	NH4-N (mg/L)	Nitrate-N (mg/L)	Calcium (mg/L)	Magnesium (mg/L)	Sodium (mg/L)	Bicarbonate (mg/L)	Carbonate (mg/L)	Sulfate (mg/L)	Chloride (mg/L)	EC (µmhos/cm)	TDS (mg/L)
Value	0.00	0.00	0.00								269.00	204
DL	1.00	0.50	0.10								10.00	10

OID Canal

OID Canal

Sample description: OID Canal

Sample date: 08/18/2023 Source of analysis: Lab analysis

	Total N (mg/L)	NH4-N (mg/L)	Nitrate-N (mg/L)	Calcium (mg/L)	Magnesium (mg/L)	Sodium (mg/L)	Bicarbonate (mg/L)	Carbonate (mg/L)	Sulfate (mg/L)	Chloride (mg/L)	EC (µmhos/cm)	TDS (mg/L)
Value	1.01	0.00	0.30								70.90	52
DL	1.00	0.50	0.10								10.00	10

D. SOIL ANALYSES

Almond Trees

Almond Trees

Soil Sample

Sample and source description: Soil Sample

Sample date: 12/06/2023 Source of analysis: Lab analysis

	Nitrate-N (mg/kg)	Total P (mg/kg)	Soluble P (mg/kg)	K (mg/kg)	EC (µmhos/cm)	Organic matter (%)	Total salt (mg/kg)
Value			27.00				
DL			4.00				

Condoni

Soil Sample

Sample and source description: Soil Sample

Sample date: 12/06/2023 Source of analysis: Lab analysis

	Nitrate-N (mg/kg)	Total P (mg/kg)	Soluble P (mg/kg)	K (mg/kg)	EC (µmhos/cm)	Organic matter (%)	Total salt (mg/kg)
Value			38.00				
DL			4.00				

Field 1 & 2

Soil Sample

Sample and source description: Soil Sample

Sample date: 12/06/2023 Source of analysis: Lab analysis

	Nitrate-N (mg/kg)	Total P (mg/kg)	Soluble P (mg/kg)	K (mg/kg)	EC (µmhos/cm)	Organic matter (%)	Total salt (mg/kg)
Value			102.00				
DL			4.00				

Field 10 & 11

Field 10 & 11

Soil Sample

Sample and source description: Soil Sample

Sample date: 12/06/2023 Source of analysis: Lab analysis

	Nitrate-N (mg/kg)	Total P (mg/kg)	Soluble P (mg/kg)	K (mg/kg)	EC (µmhos/cm)	Organic matter (%)	Total salt (mg/kg)
Value			119.00				
DL			4.00				

Field 7&8

Soil Sample

Sample and source description: Soil Sample

Sample date: 12/06/2023 Source of analysis: Lab analysis

	Nitrate-N (mg/kg)	Total P (mg/kg)	Soluble P (mg/kg)	K (mg/kg)	EC (µmhos/cm)	Organic matter (%)	Total salt (mg/kg)
Value			115.00				
DL			4.00				

Fogarty Ranch

Soil Sample

Sample and source description: Soil Sample

Sample date: 12/06/2023 Source of analysis: Lab analysis

	Nitrate-N (mg/kg)	Total P (mg/kg)	Soluble P (mg/kg)	K (mg/kg)	EC (µmhos/cm)	Organic matter (%)	Total salt (mg/kg)
Value			58.00				
DL			4.00				

McCormick

McCormick

Soil Sample

Sample and source description: Soil Sample

Sample date: 12/06/2023 Source of analysis: Lab analysis

	Nitrate-N (mg/kg)	Total P (mg/kg)	Soluble P (mg/kg)	K (mg/kg)	EC (µmhos/cm)	Organic matter (%)	Total salt (mg/kg)
Value			117.00				
DL			4.00				

McPhee

Soil Sample

Sample and source description: Soil Sample

Sample date: 12/06/2023 Source of analysis: Lab analysis

	Nitrate-N (mg/kg)	Total P (mg/kg)	Soluble P (mg/kg)	K (mg/kg)	EC (µmhos/cm)	Organic matter (%)	Total salt (mg/kg)
Value			10.00				
DL			4.00				

Ohe

Soil Sample

Sample and source description: Soil Sample

Sample date: 12/06/2023 Source of analysis: Lab analysis

	Nitrate-N (mg/kg)	Total P (mg/kg)	Soluble P (mg/kg)	K (mg/kg)	EC (µmhos/cm)	Organic matter (%)	Total salt (mg/kg)
Value			9.00				
DL			4.00				

Parker

Parker

Soil Sample

Sample and source description: Soil Sample

Sample date: 12/06/2023 Source of analysis: Lab analysis

	Nitrate-N (mg/kg)	Total P (mg/kg)	Soluble P (mg/kg)	K (mg/kg)	EC (µmhos/cm)	Organic matter (%)	Total salt (mg/kg)
Value			38.00				
DL			4.00				

Pivot 1

Soil Sample

Sample and source description: Soil Sample

Sample date: 05/15/2023 Source of analysis: Lab analysis

	Nitrate-N (mg/kg)	Total P (mg/kg)	Soluble P (mg/kg)	K (mg/kg)	EC (µmhos/cm)	Organic matter (%)	Total salt (mg/kg)
Value			84.00				
DL			4.00				

Soil Sample

Sample and source description: Soil Sample

Sample date: 12/06/2023 Source of analysis: Lab analysis

	Nitrate-N (mg/kg)	Total P (mg/kg)	Soluble P (mg/kg)	K (mg/kg)	EC (µmhos/cm)	Organic matter (%)	Total salt (mg/kg)
Value			92.00				
DL			4.00				

Pivot 2

Pivot 2

Soil Sample

Sample and source description: Soil Sample

Sample date: 05/15/2023 Source of analysis: Lab analysis

	Nitrate-N (mg/kg)	Total P (mg/kg)	Soluble P (mg/kg)	K (mg/kg)	EC (µmhos/cm)	Organic matter (%)	Total salt (mg/kg)
Value			86.00				
DL			4.00				

Soil Sample

Sample and source description: Soil Sample

Sample date: 12/06/2023 Source of analysis: Lab analysis

	Nitrate-N (mg/kg)	Total P (mg/kg)	Soluble P (mg/kg)	K (mg/kg)	EC (µmhos/cm)	Organic matter (%)	Total salt (mg/kg)
Value			100.00				
DL			4.00				

Stearns

Soil Sample

Sample and source description: Soil Sample

Sample date: 12/06/2023 Source of analysis: Lab analysis

	Nitrate-N (mg/kg)	Total P (mg/kg)	Soluble P (mg/kg)	K (mg/kg)	EC (µmhos/cm)	Organic matter (%)	Total salt (mg/kg)
Value			15.00				
DL			4.00				

E. PLANT TISSUE ANALYSES

Almond Trees - 04/05/2015: Almonds, Field Run

Almond Trees - 04/05/2015: Almonds, Field Run

Almonds

Sample and source description: Almonds

Sample date: 12/15/2023 Source of analysis: Lab analysis Method of reporting: As-is

Moisture: 14.2 %

	Total N (mg/kg)	Total P (mg/kg)	Total K (mg/kg)	Total salt (mg/kg)	TFS (%)
Value	5,990.00	750.00	15,800.00		11.70
DL	100.00	100.00	100.00		0.01

Condoni - 01/01/2023: Pasture

Pasture

Sample and source description: Pasture

Sample date: 04/26/2023 Source of analysis: Lab analysis Method of reporting: As-is

Moisture: 70.0 %

	Total N (mg/kg)	Total P (mg/kg)	Total K (mg/kg)	Total salt (mg/kg)	TFS (%)
Value	12,700.00	1,210.00	13,400.00		12.40
DL	100.00	100.00	100.00		0.01

Field 1 & 2 - 01/01/2023: Pasture

Pasture

Sample and source description: Pasture

Sample date: 04/26/2023 Source of analysis: Lab analysis Method of reporting: As-is

Moisture: 70.0 %

	Total N (mg/kg)	Total P (mg/kg)	Total K (mg/kg)	Total salt (mg/kg)	TFS (%)
Value	10,600.00	1,290.00	14,000.00		14.00
DL	100.00	100.00	100.00		0.01

Field 10 & 11 - 10/31/2022: Oats, silage-soft dough

Winter Forage

Sample and source description: Winter Forage

Sample date: 05/22/2023 Source of analysis: Lab analysis Method of reporting: As-is

Moisture: 68.2 %

	Total N (mg/kg)	Total P (mg/kg)	Total K (mg/kg)	Total salt (mg/kg)	TFS (%)
Value	5,470.00	1,140.00	6,950.00		10.20
DL	100.00	100.00	100.00		0.01

Field 10 & 11 - 05/30/2023: Corn, silage

Corn Silage

Sample and source description: Corn Silage

Sample date: 09/25/2023 Source of analysis: Lab analysis Method of reporting: As-is

Moisture: 67.6 %

	Total N (mg/kg)	Total P (mg/kg)	Total K (mg/kg)	Total salt (mg/kg)	TFS (%)
Value	4,240.00	970.00	5,150.00		5.27
DL	100.00	100.00	100.00		0.01

Field 7&8 - 01/01/2023: Pasture

Pasture

Sample and source description: Pasture

Sample date: 04/26/2023 Source of analysis: Lab analysis Method of reporting: As-is

Moisture: 70.0 %

	Total N (mg/kg)	Total P (mg/kg)	Total K (mg/kg)	Total salt (mg/kg)	TFS (%)
Value	10,100.00	1,530.00	12,500.00		13.10
DL	100.00	100.00	100.00		0.01

Fogarty Ranch - 10/29/2022: Oats, silage-soft dough

Winter Forage

Sample and source description: Winter Forage

Sample date: 05/14/2023 Source of analysis: Lab analysis Method of reporting: As-is

Moisture: 63.9 %

	Total N (mg/kg)	Total P (mg/kg)	Total K (mg/kg)	Total salt (mg/kg)	TFS (%)
Value	4,910.00	1,310.00	8,810.00		8.94
DL	100.00	100.00	100.00		0.01

McCormick - 01/01/2023: Pasture

Pasture

Sample and source description: Pasture

Sample date: 04/26/2023 Source of analysis: Lab analysis Method of reporting: As-is

Moisture: 70.0 %

	Total N (mg/kg)	Total P (mg/kg)	Total K (mg/kg)	Total salt (mg/kg)	TFS (%)
Value	7,700.00	1,130.00	10,000.00		10.90
DL	100.00	100.00	100.00		0.01

McPhee - 10/28/2022: Oats, silage-soft dough

Winter Forage

Sample and source description: Winter Forage

Sample date: 05/12/2023 Source of analysis: Lab analysis Method of reporting: As-is

Moisture: 62.8 %

	Total N (mg/kg)	Total P (mg/kg)	Total K (mg/kg)	Total salt (mg/kg)	TFS (%)
Value	4,610.00	770.00	4,830.00		5.96
DL	100.00	100.00	100.00		0.01

Ohe - 10/27/2022: Oats, silage-soft dough

Winter Forage

Sample and source description: Winter Forage

Sample date: 05/15/2023 Source of analysis: Lab analysis Method of reporting: As-is

Moisture: 68.8 %

	Total N (mg/kg)	Total P (mg/kg)	Total K (mg/kg)	Total salt (mg/kg)	TFS (%)
Value	4,340.00	610.00	3,470.00		5.86
DL	100.00	100.00	100.00		0.01

Orchard - 01/01/2023: Pasture

Pasture

Sample and source description: Pasture

Sample date: 04/26/2023 Source of analysis: Lab analysis Method of reporting: As-is

Moisture: 70.0 %

	Total N (mg/kg)	Total P (mg/kg)	Total K (mg/kg)	Total salt (mg/kg)	TFS (%)
Value	6,950.00	880.00	9,270.00		9.25
DL	100.00	100.00	100.00		0.01

Parker - 01/01/2023: Pasture

Pasture

Sample and source description: Pasture

Sample date: 04/26/2023 Source of analysis: Lab analysis Method of reporting: As-is

Moisture: 70.0 %

	Total N (mg/kg)	Total P (mg/kg)	Total K (mg/kg)	Total salt (mg/kg)	TFS (%)
Value	9,400.00	1,220.00	11,700.00		11.30
DL	100.00	100.00	100.00		0.01

Pivot 1 - 10/16/2022: Oats, silage-soft dough

Winter Forage

Sample and source description: Winter Forage

Sample date: 05/01/2023 Source of analysis: Lab analysis Method of reporting: As-is

Moisture: 66.8 %

	Total N (mg/kg)	Total P (mg/kg)	Total K (mg/kg)	Total salt (mg/kg)	TFS (%)
Value	5,080.00	1,530.00	17,100.00		12.30
DL	100.00	100.00	100.00		0.01

Pivot 1 - 05/27/2023: Corn, silage

Corn Silage

Sample and source description: Corn Silage

Sample date: 09/26/2023 Source of analysis: Lab analysis Method of reporting: As-is

Moisture: 63.8 %

	Total N (mg/kg)	Total P (mg/kg)	Total K (mg/kg)	Total salt (mg/kg)	TFS (%)
Value	4,530.00	1,040.00	4,280.00		4.71
DL	100.00	100.00	100.00		0.01

Pivot 2 - 10/14/2022: Oats, silage-soft dough

Winter Forage

Sample and source description: Winter Forage

Sample date: 05/09/2023 Source of analysis: Lab analysis Method of reporting: As-is

Moisture: 64.4 %

	Total N (mg/kg)	Total P (mg/kg)	Total K (mg/kg)	Total salt (mg/kg)	TFS (%)
Value	4,950.00	1,070.00	10,800.00		8.89
DL	100.00	100.00	100.00		0.01

Pivot 2 - 05/24/2023: Corn, silage

Corn Silage

Sample and source description: Corn Silage

Sample date: 09/21/2023 Source of analysis: Lab analysis Method of reporting: As-is

Moisture: 58.0 %

	Total N (mg/kg)	Total P (mg/kg)	Total K (mg/kg)	Total salt (mg/kg)	TFS (%)
Value	4,370.00	840.00	4,200.00		5.30
DL	100.00	100.00	100.00		0.01

Stearns - 10/15/2022: Oats, hay

Winter Forage Hay

Sample and source description: Winter Forage Hay

Sample date: 06/29/2023 Source of analysis: Lab analysis Method of reporting: As-is

Moisture: 7.4 %

	Total N (mg/kg)	Total P (mg/kg)	Total K (mg/kg)	Total salt (mg/kg)	TFS (%)
Value	16,500.00	1,510.00	9,480.00		8.90
DL	100.00	100.00	100.00		0.01

F. SUBSURFACE (TILE) DRAINAGE ANALYSES

No subsurface (tile) drainage analyses entered.

NUTRIENT APPLICATIONS, POTENTIAL REMOVAL, AND BALANCE

A. SUMMARY OF NUTRIENT APPLICATIONS, POTENTIAL REMOVAL, AND BALANCE

	Total N (lbs)	Total P (lbs)	Total K (lbs)	Total salt (lbs)
Existing soil nutrient content	0.00	0.00	0.00	0.00
Plowdown credit	0.00	0.00	0.00	0.00
Commercial fertilizer / Other	31,554.50	0.00	0.00	0.00
Dry manure	141,657.00	85,244.76	227,106.60	7,060,721.28
Process wastewater	86,907.50	9,996.71	116,806.80	726,794.09
Fresh water	2,633.21	0.00	0.00	409,122.72
Atmospheric deposition	13,244.00	0.00	0.00	0.00
Total nutrients applied	275,996.21	95,241.47	343,913.40	8,196,638.08
Anticipated crop nutrient removal	211,029.40	34,450.10	193,662.90	0.00
Actual crop nutrient removal	222,203.61	42,614.15	298,606.35	1,098,477.84
Nutrient balance	53,792.59	52,627.32	45,307.05	7,098,160.24
Applied to removed ratio	1.24	2.23	1.15	7.46

B. POUNDS OF NUTRIENT APPLIED VS. CROP REMOVAL

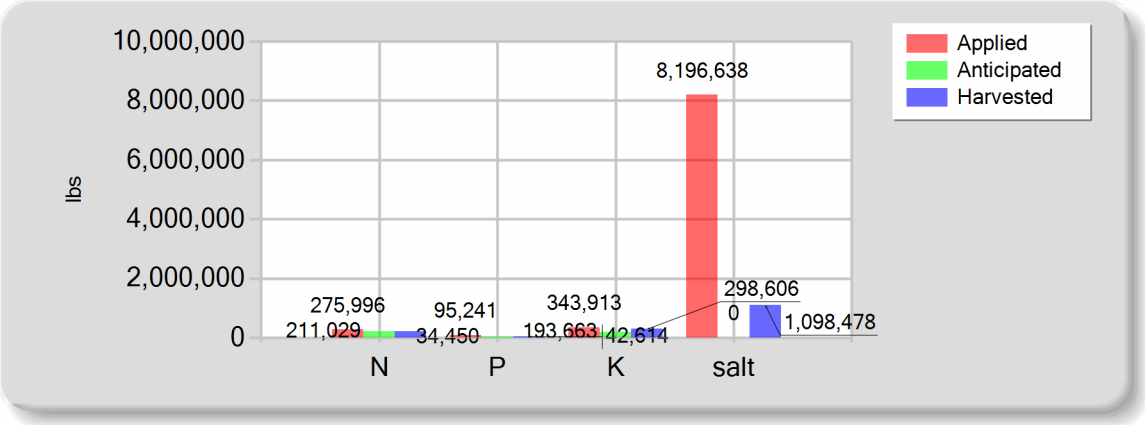

C. POUNDS OF NUTRIENT APPLIED BY MATERIAL TYPE

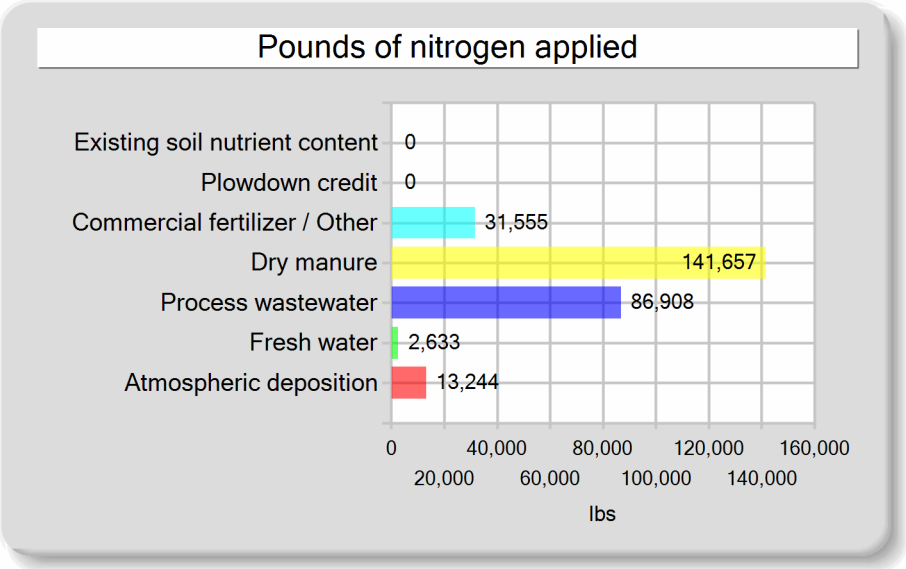

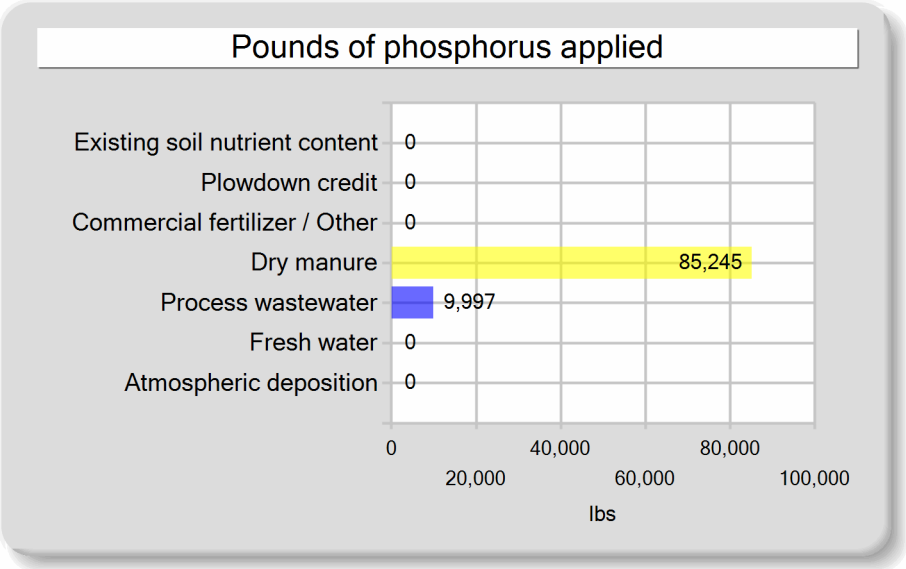

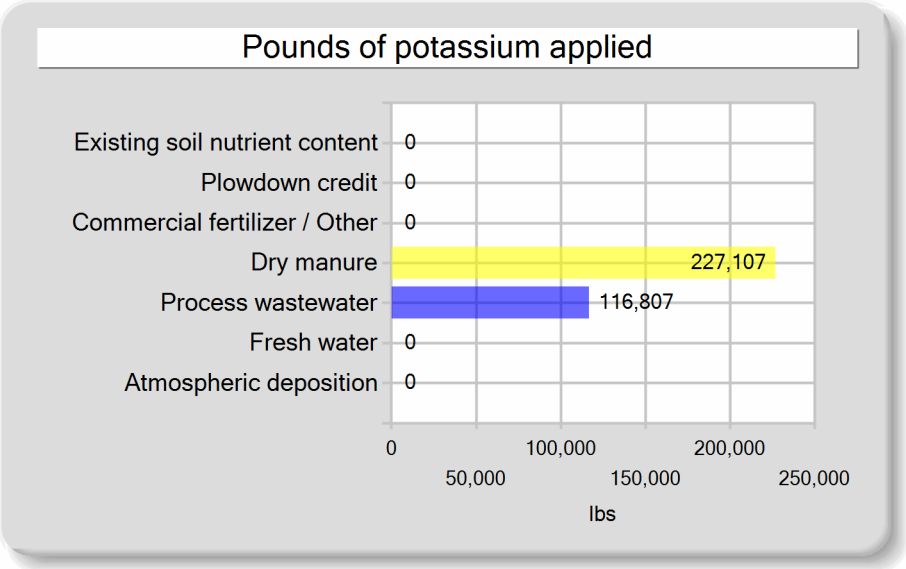

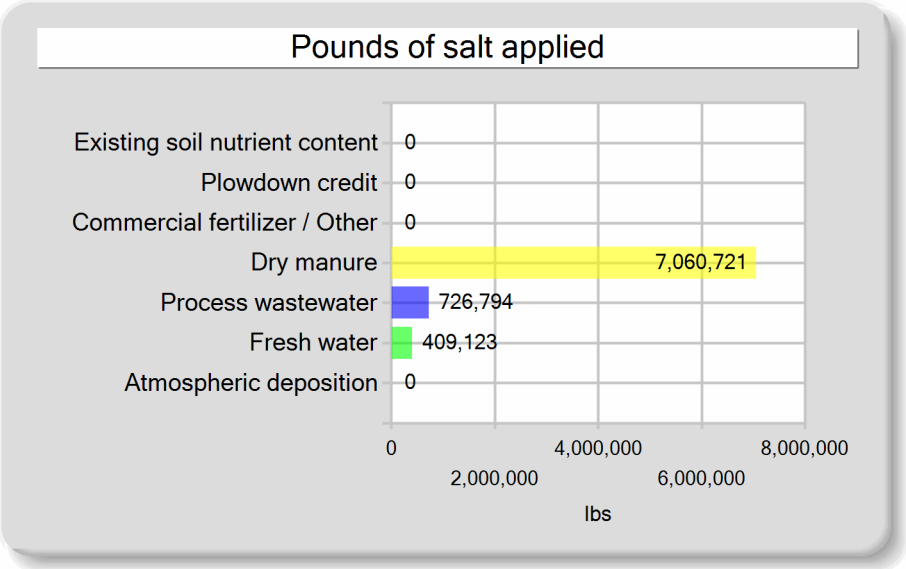

EXCEPTION REPORTING

A. MANURE, PROCESS WASTEWATER, AND OTHER DAIRY WASTE DISCHARGES

The following is a summary of all manure and process wastewater discharges from the production area to surface water or to land areas (land application areas or otherwise) when not in accordance with the facility's Nutrient Management Plan.

No manure or process wastewater discharges occurred during the reporting period.

B. STORM WATER DISCHARGES

The following is a summary of all storm water discharges from the production area to surface water during the reporting period when not in accordance with the facility 's Nutrient Management Plan.

No stormwater discharges occurred during the reporting period.

C. LAND APPLICATION AREA TO SURFACE WATER DISCHARGES

The following is a summary of all discharges from the land application area to surface water that have occurred during the reporting period when not in accordance with the facility's Nutrient Management Plan.

No land application area to surface water discharges occurred during the reporting period.

NUTRIENT MANAGEMENT PLAN AND EXPORT AGREEMENT STATEMENTS

A. NUTRIENT MANAGEMENT PLAN STATEMENTS

Was the facility's NMP updated in the reporting period?	Yes
Was the facility's NMP developed by a certified nutrient management planner (specialist) as specified in Attachment C of the General Order?	Yes
Was the facility's NMP approved by a certified nutrient management planner (specialist) as specified in Attachment C of the General Order?	Yes

B. EXPORT AGREEMENT STATEMENT

Are there any written agreements with third parties to receive manure or process wastewater that are new or were revised within the reporting period?	No

ADDITIONAL NOTES

A. NOTES

No notes entered for this annual report.

CERTIFICATION

A. OWNER AND/OR OPERATOR CERTIFICATION

I certify under penalty of law that I have personally examined and am familiar with the information submitted in this document and all attachments and that, based on my inquiry of those individuals immediately responsible for obtaining the information, I believe that the information is true, accurate, and complete. I am aware that there are significant penalties for submitting false information, including the possibility of fine and imprisonment.

Jack Hoekstra (Jun 27, 2024 20:50 PDT)

SIGNATURE OF OWNER OF FACILITY	SIGNATURE OF OPERATOR OF FACILITY
Jack Hoekstra	SAME AS OWNER
PRINT OR TYPE NAME	PRINT OR TYPE NAME
Jun 27, 2024	
DATE	DATE

ATTACHMENTS

A. REQUIRED ATTACHMENTS

The following lists the required documents that should be attached to the Annual Report when submitted .

Annual Dairy Facility Assessment
Provide an Annual Dairy Facility Assessment (an update to the Preliminary Dairy Facility Assessment in Attachment A) for each reporting period. On the PDFA Final page, click on the ADFA Report button to generate an ADFA report after updating information as needed .

Manure/Process Wastewater Tracking Manifests
Provide copies of all manure/process wastewater tracking manifests for the reporting period, signed by both the owner/operator and the hauler.

Corrective Actions Documents
Provide records documenting any corrective actions taken to correct deficiencies noted as a result of the inspections required in the Monitoring Requirements of the General Order. Deficiencies not corrected in 30 days must be accompanied by an explanation of the factors preventing immediate correction.

Groundwater Monitoring
Dischargers that monitor supply wells or subsurface (tile) drainage systems, or that have monitoring well systems must submit monitoring results as directed in the General Order, Groundwater Reporting Section starting on page MRP-13.

Storm Water Monitoring
Dischargers that are required to monitor storm water more frequently than required in the General Order must submit monitoring results as directed in the General Order, Storm Water Reporting Section on page MRP-14.

ATTACHMENT D

Manure/Process Wastewater Tracking Manifest
For
Existing Milk Cow Dairies

Instructions:

1) Complete one manifest for each hauling event, for each destination. A hauling event may last for several days, as long as the manure is being hauled to the same destination.
2) If there are multiple destinations, **complete a separate form for each destination.**
3) The operator must obtain the signature of the hauler upon completion of each manure-hauling event.
4) The operator shall submit copies of manure/process wastewater tracking manifest(s) with the Annual Monitoring Report for Existing Milk Cow Dairies.

Operator Information:

Name of Operator: Jack Hoekstra

Name of Dairy Facility: Hoekstra Dairy

Facility Address: 10836 Hwy 120 (Number and Street) Oakdale (City) 95361 (Zip Code)

Contact Person Name and Phone Number: Jack Hoekstra (Name) 209 765-2936 (Phone Number)

Manure/Process Wastewater Hauler Information:

Name of Hauling Company/Person: ALP

Address of Hauling Company /Person: 2324 Villa Manucha Rd (Number and Street) Newman (City) 95360 (Zip Code)

Contact Person: Jeff Lima (Name) 209 862-3393 (Phone Number)

Destination Information:

Composting Facility / Broker / Farmer / Other (identify) _____ (please circle one)

Contact information of Composting Facility, Broker, Farmer, or Other (as identified above): 209

Nate Ludlow (Name) 6648 Smith Rd (Number and Street) Oakdale (City) 95361 (Zip Code) 848-1844 (Phone Number)

Manure/Process Wastewater Destination Address or Assessor's Parcel Number:

6648 Smith Road (Number and Street), Oakdale (City), CA 95361 (Zip Code) 010-016-013 (Assessor's Parcel Number)

Dates Hauled: 7/27/23

Amount Hauled:

Enter the amount of manure hauled in tons or cubic yards (indicate the units used), the manure solids content (if amount reported in tons) or manure density (if amount reported in cubic yards), and the method used to calculate the amount:

Manure: 1540 Tons or Cubic Yards (indicate which units used)

Manure Solids Content (if amount reported in tons): 7.90 % moisture

Manure Density (if amount reported in cubic yards): _____

Method used to determine amount of manure: _____

154 Loads @ 10 T/Load

Enter the amount of process wastewater hauled in gallons and the method used to determine the amount.

Process Wastewater: _____ Gallons

Method used to determine volume of process wastewater: _____

_____

Written Agreement:
Does the Operator have a written agreement (in compliance with Land Application Specification C.2 of Waste Discharge Requirements General Order No. R5-2007-0035) with any party that receives process wastewater from the Operator for its own use? (please check one)

____ Yes _____ No

If the answer is no, the Operator agrees to have such a written agreement with any such party for any process wastewater transferred after **31 December 2007** to such party.
_____ (Operator shall provide initials here to acknowledge this requirement).

Certification:
I declare under the penalty of law that I personally examined and am familiar with the information submitted in this document, and that based on my inquiry of those individuals immediately responsible for obtaining the information, I believe that the information is true, accurate, and complete. I am aware that there are significant penalties for submitting false information, including the possibility of a fine and imprisonment for knowing violations.

Operator's Signature: Jack Hoekstra (Jun 27, 2024 20:50 PDT) Date: Jun 27, 2024

Hauler's Signature: _____ Date: _____

ATTACHMENT D

Manure/Process Wastewater Tracking Manifest
For
Existing Milk Cow Dairies

Instructions:

1) Complete one manifest for each hauling event, for each destination. A hauling event may last for several days, as long as the manure is being hauled to the same destination.
2) If there are multiple destinations, **complete a separate form for each destination.**
3) The operator must obtain the signature of the hauler upon completion of each manure-hauling event.
4) The operator shall submit copies of manure/process wastewater tracking manifest(s) with the Annual Monitoring Report for Existing Milk Cow Dairies.

Operator Information:

Name of Operator: Jack Hoekstra

Name of Dairy Facility: Hoekstra Dairy

Facility Address: 10836 Hwy 120 (Number and Street) Oakdale (City) 95361 (Zip Code)

Contact Person Name and Phone Number: Jack Hoekstra (Name) 209 765-2936 (Phone Number)

Manure/Process Wastewater Hauler Information:

Name of Hauling Company/Person: ALP

Address of Hauling Company /Person: 2324 Villa Manucha Rd (Number and Street) Newman (City) 95360 (Zip Code)

Contact Person: Jeff Lima (Name) 209 862-3393 (Phone Number)

Destination Information:

Composting Facility / Broker / Farmer / Other (identify) _____ (please circle one)

Contact information of Composting Facility, Broker, Farmer, or Other (as identified above):

Buschell (Name) 12000 Hwy 120 (Number and Street) Oakdale (City) 95361 (Zip Code) _____ (Phone Number)

Manure/Process Wastewater Destination Address or Assessor's Parcel Number:

9310 Wamble Road, (Number and Street) Oakdale, CA (City) 95361 (Zip Code) 010-008-046 (Assessor's Parcel Number)

Dates Hauled: 6/2/23

Amount Hauled:

Enter the amount of manure hauled in tons or cubic yards (indicate the units used), the manure solids content (if amount reported in tons) or manure density (if amount reported in cubic yards), and the method used to calculate the amount:

Manure: 500 Tons or Cubic Yards (indicate which units used)

Manure Solids Content (if amount reported in tons): 7.90 % Moisture

Manure Density (if amount reported in cubic yards): _____

Method used to determine amount of manure: _____

50 Loads @ 10 T / Load

Enter the amount of process wastewater hauled in gallons and the method used to determine the amount.

Process Wastewater: _____ Gallons

Method used to determine volume of process wastewater: _____

_____

Written Agreement:
Does the Operator have a written agreement (in compliance with Land Application Specification C.2 of Waste Discharge Requirements General Order No. R5-2007-0035) with any party that receives process wastewater from the Operator for its own use? (please check one)

____ Yes _____ No

If the answer is no, the Operator agrees to have such a written agreement with any such party for any process wastewater transferred after **31 December 2007** to such party.
_____ (Operator shall provide initials here to acknowledge this requirement).

Certification:
I declare under the penalty of law that I personally examined and am familiar with the information submitted in this document, and that based on my inquiry of those individuals immediately responsible for obtaining the information, I believe that the information is true, accurate, and complete. I am aware that there are significant penalties for submitting false information, including the possibility of a fine and imprisonment for knowing violations.

Operator's Signature: Jack Hoekstra (Jun 27, 2024 20:50 PDT) Date: Jun 27, 2024

Hauler's Signature: _____ Date: _____

ATTACHMENT D

Manure/Process Wastewater Tracking Manifest
For
Existing Milk Cow Dairies

Instructions:

1) Complete one manifest for each hauling event, for each destination. A hauling event may last for several days, as long as the manure is being hauled to the same destination.
2) If there are multiple destinations, **complete a separate form for each destination.**
3) The operator must obtain the signature of the hauler upon completion of each manure-hauling event.
4) The operator shall submit copies of manure/process wastewater tracking manifest(s) with the Annual Monitoring Report for Existing Milk Cow Dairies.

Operator Information:

Name of Operator: Jack Hoekstra

Name of Dairy Facility: Hoekstra Dairy

Facility Address: 10836 Hwy. 120 (Number and Street) Oakdale, CA (City) 95361 (Zip Code)

Contact Person Name and Phone Number: Jack Hoekstra (Name) 209-765-2926 (Phone Number)

Manure/Process Wastewater Hauler Information:

Name of Hauling Company/Person: Silva + Son Custom Spreading

Address of Hauling Company /Person: P.O. Box 1261 (Number and Street) Hilmar, CA (City) 95324 (Zip Code)

Contact Person: Frank Silva / Manuel Silva (Name) 209-678-2024 (Phone Number)

Destination Information:

Composting Facility / Broker / Farmer / Other (identify) _____ (please circle one)

Contact information of Composting Facility, Broker, Farmer, or Other (as identified above):

Jack Bauman (Name) 10931 Sierra Road, (Number and Street) Oakdale, CA (City) 95361 (Zip Code) 209-988-1997 (Phone Number)

Manure/Process Wastewater Destination Address or Assessor's Parcel Number:

10931 Sierra Road, (Number and Street) Oakdale, CA (City) 95361 (Zip Code) 010-038-002 (Assessor's Parcel Number)

Dates Hauled: 10-20-2023

Amount Hauled:

Enter the amount of manure hauled in tons or cubic yards (indicate the units used), the manure solids content (if amount reported in tons) or manure density (if amount reported in cubic yards), and the method used to calculate the amount:

Manure: 740 Tons or Cubic Yards (indicate which units used)

Manure Solids Content (if amount reported in tons): 7.9% moisture

Manure Density (if amount reported in cubic yards): _____

Method used to determine amount of manure: _____

74 loads at 10 ton per load

Enter the amount of process wastewater hauled in gallons and the method used to determine the amount.

Process Wastewater: _____ Gallons

Method used to determine volume of process wastewater: _____

_____

Written Agreement:
Does the Operator have a written agreement (in compliance with Land Application Specification E.3 of Reissued Waste Discharge Requirements General Order No. R5-2013-0122) with any party that receives process wastewater from the Operator for its own use? (please check one)

____ Yes _____ No

If the answer is no, the Operator agrees to have such a written agreement with any such party for any process wastewater transferred after **31 December 2007** to such party.
_____ (Operator shall provide initials here to acknowledge this requirement).

Certification:
I declare under the penalty of law that I personally examined and am familiar with the information submitted in this document, and that based on my inquiry of those individuals immediately responsible for obtaining the information, I believe that the information is true, accurate, and complete. I am aware that there are significant penalties for submitting false information, including the possibility of a fine and imprisonment for knowing violations.

Operator's Signature: Jack Hoekstra (Jun 27, 2024 20:50 PDT) Date: Jun 27, 2024

Hauler's Signature: _____ Date: 11-1-23

ATTACHMENT D

Manure/Process Wastewater Tracking Manifest
For
Existing Milk Cow Dairies

Instructions:

1) Complete one manifest for each hauling event, for each destination. A hauling event may last for several days, as long as the manure is being hauled to the same destination.
2) If there are multiple destinations, **complete a separate form for each destination.**
3) The operator must obtain the signature of the hauler upon completion of each manure-hauling event.
4) The operator shall submit copies of manure/process wastewater tracking manifest(s) with the Annual Monitoring Report for Existing Milk Cow Dairies.

Operator Information:

Name of Operator: Jack Hoekstra

Name of Dairy Facility: Hoekstra Dairy

Facility Address: 10836 Hwy. 120 (Number and Street) Oakdale, CA (City) 95361 (Zip Code)

Contact Person Name and Phone Number: Jack Hoekstra (Name) 209-765-2926 (Phone Number)

Manure/Process Wastewater Hauler Information:

Name of Hauling Company/Person: Cambra Farms

Address of Hauling Company /Person: P.O. Box 4034 (Number and Street) Manteca, CA (City) 95337 (Zip Code)

Contact Person: Bill Cambra (Name) 209-823-5363 (Phone Number)

Destination Information:

Composting Facility / Broker / (Farmer) / Other (identify) _____ (please circle one)

Contact information of Composting Facility, Broker, Farmer, or Other (as identified above):

Dennis Hegoas (Name) 11549 28 Mile Road (Number and Street), Oakdale (City), CA 95361 (Zip Code) 209-531-6036 (Phone Number)

Manure/Process Wastewater Destination Address or Assessor's Parcel Number:

11549 28 Mile Road (Number and Street), Oakdale (City), CA 95361 (Zip Code) 002-050-006 (Assessor's Parcel Number)

Dates Hauled: 11-30-23

Amount Hauled:

Enter the amount of manure hauled in tons or cubic yards (indicate the units used), the manure solids content (if amount reported in tons) or manure density (if amount reported in cubic yards), and the method used to calculate the amount:

Manure: 700 (Tons) or Cubic Yards (indicate which units used)

Manure Solids Content (if amount reported in tons): 7.9% moisture

Manure Density (if amount reported in cubic yards): _____

Method used to determine amount of manure: _____

70 loads at 10 ton per load

Enter the amount of process wastewater hauled in gallons and the method used to determine the amount.

Process Wastewater: _____ Gallons

Method used to determine volume of process wastewater: _____

_____

Written Agreement:
Does the Operator have a written agreement (in compliance with Land Application Specification E.3 of Reissued Waste Discharge Requirements General Order No. R5-2013-0122) with any party that receives process wastewater from the Operator for its own use? (please check one)

____ Yes _____ No

If the answer is no, the Operator agrees to have such a written agreement with any such party for any process wastewater transferred after **31 December 2007** to such party.
_____ (Operator shall provide initials here to acknowledge this requirement).

Certification:
I declare under the penalty of law that I personally examined and am familiar with the information submitted in this document, and that based on my inquiry of those individuals immediately responsible for obtaining the information, I believe that the information is true, accurate, and complete. I am aware that there are significant penalties for submitting false information, including the possibility of a fine and imprisonment for knowing violations.

Operator's Signature: Jack Hoekstra (Jun 27, 2024 20:50 PDT) Date: Jun 27, 2024

Hauler's Signature: _____ Date: 12-5-23

DELLAVALLE™
LABORATORY INC

Hockstra
10836 Hwy 120
Oakdale, CA 95361

Account# 00-0026284
Account Manager: Scott Sakamoto
Submitted By: Jeanette Sawyer

Received: 11/02/2023 16:00
Reported: 11/13/2023 15:43

Samples in this Report

Lab ID	Sample	Matrix	Sampled By	Crop	Date Sampled
23K0162-01	IW Almonds	Ag Water			11/01/2023 7:00
23K0162-02	IW Dairy	Ag Water			11/01/2023 7:00
23K0162-03	IW Fogarty	Ag Water			11/01/2023 7:00
23K0162-04	DW Condrani New	Drinking Water			11/01/2023 7:00
23K0162-05	DW New Dairy	Drinking Water			11/01/2023 7:00
23K0162-06	DW Parker	Drinking Water			11/01/2023 7:00
23K0162-07	DW Round Dairy	Drinking Water			11/01/2023 7:00

Default Cooler Temperature on Receipt °C: -2.1
Containers Intact
COC/Labels Agree
Received On Ice

Notes and Definitions

Item	Definition
H	Hold Time Exceeded
MCL	Drinking Water Maximum Contaminant Level
ND	Analyte NOT DETECTED at or above the reporting limit.
NES	Not Enough Sample
*	Not Taken
RPD	Relative Percent Difference
%REC	Percent Recovery
Source	Sample that was matrix spiked or duplicated.

Scott McFriedland

Laboratory Director/Technical Manager

ELAP Certification #1595
A2LA Certification #6440.02

The results in this report apply to the samples as received and were analyzed in accordance with the chain of custody document. This analytical report must be reproduced in its entirety. All results listed in this report are for the exclusive use of the submitting party. Dellavalle Laboratory, Inc. assumes no responsibility for report alteration, separation, detachment or third party interpretation.

DELLAVALLE™
LABORATORY INC

Hockstra
10836 Hwy 120
Oakdale, CA 95361

Account# 00-0026284
Account Manager: Scott Sakamoto
Submitted By: Jeanette Sawyer

Received: 11/02/2023 16:00
Reported: 11/13/2023 15:43

Sample Results

Sample: IW Almonds
23K0162-01 (Water)

Sampled: 11/1/2023 7:00
Sampled By:

Analyte	Result	Units	Reporting Limit	DIL	DW MCL	Date/Time Analyzed	Method	Notes	Batch
Electrical Conductivity	**0.18**	mmhos/cm	0.01	1		11/06/23 12:32	SM 2510 B		BEK0127
Electrical Conductivity umhos	**181**	umhos/cm	10.0	1		11/06/23 12:32	SM 2510 B		BEK0127
Nitrate Nitrogen as NO3N	**1.9**	mg/L	0.1	1	10	11/03/23 01:50	EPA 300.0		BEK0069
Temperature	**25.0**	units	0.0	1		11/06/23 12:32	SM 4500-H+	H	BEK0127
pH	**7.7**	units	1.0	1		11/06/23 12:32	SM 4500-H+	H	BEK0127
Total Filterable Solids (TDS)	**146**	mg/L	10.0	1		11/07/23 14:49	SM 2540 C		BEK0135
Kjeldahl Nitrogen (TKN), Total	ND	mg/L	1.00	1		11/08/23 10:29	SM 4500-NH3 C		BEK0139
Total Nitrogen	ND	mg/L	1.00	1		11/13/23 15:17	SM 4500-NH3 C		BEK0139

The results in this report apply to the samples as received and were analyzed in accordance with the chain of custody document. This analytical report must be reproduced in its entirety. All results listed in this report are for the exclusive use of the submitting party. Dellavalle Laboratory, Inc. assumes no responsibility for report alteration, separation, detachment or third party interpretation.

DELLAVALLE™
LABORATORY INC

Hockstra
10836 Hwy 120
Oakdale, CA 95361

Account# 00-0026284
Account Manager: Scott Sakamoto
Submitted By: Jeanette Sawyer

Received: 11/02/2023 16:00
Reported: 11/13/2023 15:43

Sample Results
(Continued)

Sample: IW Dairy
23K0162-02 (Water)

Sampled: 11/1/2023 7:00
Sampled By:

Analyte	Result	Units	Reporting Limit	DIL	DW MCL	Date/Time Analyzed	Method	Notes	Batch
Electrical Conductivity	**0.21**	mmhos/cm	0.01	1		11/06/23 12:33	SM 2510 B		BEK0127
Electrical Conductivity umhos	**208**	umhos/cm	10.0	1		11/06/23 12:33	SM 2510 B		BEK0127
Nitrate Nitrogen as NO3N	**2.9**	mg/L	0.1	1	10	11/03/23 02:11	EPA 300.0		BEK0069
Temperature	**25.0**	units	0.0	1		11/06/23 12:33	SM 4500-H+	H	BEK0127
pH	**7.8**	units	1.0	1		11/06/23 12:33	SM 4500-H+	H	BEK0127
Total Filterable Solids (TDS)	**142**	mg/L	10.0	1		11/07/23 14:49	SM 2540 C		BEK0135
Kjeldahl Nitrogen (TKN), Total	ND	mg/L	1.00	1		11/08/23 10:30	SM 4500-NH3 C		BEK0139
Total Nitrogen	ND	mg/L	1.00	1		11/13/23 15:17	SM 4500-NH3 C		BEK0139

The results in this report apply to the samples as received and were analyzed in accordance with the chain of custody document. This analytical report must be reproduced in its entirety. All results listed in this report are for the exclusive use of the submitting party. Dellavalle Laboratory, Inc. assumes no responsibility for report alteration, separation, detachment or third party interpretation.

DELLAVALLE™
LABORATORY INC

Hockstra
10836 Hwy 120
Oakdale, CA 95361

Account# 00-0026284
Account Manager: Scott Sakamoto
Submitted By: Jeanette Sawyer

Received: 11/02/2023 16:00
Reported: 11/13/2023 15:43

Sample Results
(Continued)

Sample: IW Fogarty
23K0162-03 (Water)

Sampled: 11/1/2023 7:00
Sampled By:

Analyte	Result	Units	Reporting Limit	DIL	DW MCL	Date/Time Analyzed	Method	Notes	Batch
Electrical Conductivity	**0.27**	mmhos/cm	0.01	1		11/06/23 12:34	SM 2510 B		BEK0127
Electrical Conductivity umhos	**269**	umhos/cm	10.0	1		11/06/23 12:34	SM 2510 B		BEK0127
Nitrate Nitrogen as NO3N	**2.1**	mg/L	0.1	1	10	11/03/23 02:32	EPA 300.0		BEK0069
Temperature	**25.0**	units	0.0	1		11/06/23 12:34	SM 4500-H+	H	BEK0127
pH	**8.8**	units	1.0	1		11/06/23 12:34	SM 4500-H+	H	BEK0127
Total Filterable Solids (TDS)	**204**	mg/L	10.0	1		11/07/23 14:49	SM 2540 C		BEK0135
Kjeldahl Nitrogen (TKN), Total	ND	mg/L	1.00	1		11/08/23 10:32	SM 4500-NH3 C		BEK0139
Total Nitrogen	ND	mg/L	1.00	1		11/13/23 15:17	SM 4500-NH3 C		BEK0139

The results in this report apply to the samples as received and were analyzed in accordance with the chain of custody document. This analytical report must be reproduced in its entirety. All results listed in this report are for the exclusive use of the submitting party. Dellavalle Laboratory, Inc. assumes no responsibility for report alteration, separation, detachment or third party interpretation.

DELLAVALLE™
LABORATORY INC

Hockstra
10836 Hwy 120
Oakdale, CA 95361

Account# 00-0026284
Account Manager: Scott Sakamoto
Submitted By: Jeanette Sawyer

Received: 11/02/2023 16:00
Reported: 11/13/2023 15:43

Sample Results
(Continued)

Sample: DW Condrani New
23K0162-04 (Water)

Sampled: 11/1/2023 7:00
Sampled By:

Analyte	Result	Units	Reporting Limit	DIL	DW MCL	Date/Time Analyzed	Method	Notes	Batch
Electrical Conductivity	**0.32**	mmhos/cm	0.01	1		11/06/23 12:35	SM 2510 B		BEK0127
Electrical Conductivity umhos	**317**	umhos/cm	10.0	1		11/06/23 12:35	SM 2510 B		BEK0127
Ammonia (as N)	*	mg/L	0.00	1		11/01/23 07:00	Field		BEK0382
Nitrate Nitrogen as NO3N	**5.3**	mg/L	0.1	1	10	11/03/23 02:53	EPA 300.0		BEK0069
Temperature	**25.0**	units	0.0	1		11/06/23 12:35	SM 4500-H+	H	BEK0127
pH	**7.6**	units	1.0	1		11/06/23 12:35	SM 4500-H+	H	BEK0127
Kjeldahl Nitrogen (TKN), Total	**1.18**	mg/L	1.00	1		11/08/23 10:33	SM 4500-NH3 C		BEK0139
Total Nitrogen	ND	mg/L	1.00	1		11/13/23 15:17	SM 4500-NH3 C		BEK0139

The results in this report apply to the samples as received and were analyzed in accordance with the chain of custody document. This analytical report must be reproduced in its entirety. All results listed in this report are for the exclusive use of the submitting party. Dellavalle Laboratory, Inc. assumes no responsibility for report alteration, separation, detachment or third party interpretation.

DELLAVALLE™
LABORATORY INC

Hockstra
10836 Hwy 120
Oakdale, CA 95361

Account# 00-0026284
Account Manager: Scott Sakamoto
Submitted By: Jeanette Sawyer

Received: 11/02/2023 16:00
Reported: 11/13/2023 15:43

Sample Results
(Continued)

Sample: DW New Dairy
23K0162-05 (Water)

Sampled: 11/1/2023 7:00
Sampled By:

Analyte	Result	Units	Reporting Limit	DIL	DW MCL	Date/Time Analyzed	Method	Notes	Batch
Electrical Conductivity	**0.59**	mmhos/cm	0.01	1		11/06/23 12:37	SM 2510 B		BEK0127
Electrical Conductivity umhos	**592**	umhos/cm	10.0	1		11/06/23 12:37	SM 2510 B		BEK0127
Ammonia (as N)	*	mg/L	0.00	1		11/01/23 07:00	Field		BEK0382
Nitrate Nitrogen as NO3N	**14.0**	mg/L	0.1	1	10	11/03/23 03:14	EPA 300.0		BEK0069
Temperature	**25.0**	units	0.0	1		11/06/23 12:37	SM 4500-H+	H	BEK0127
pH	**8.0**	units	1.0	1		11/06/23 12:37	SM 4500-H+	H	BEK0127
Kjeldahl Nitrogen (TKN), Total	**1.52**	mg/L	1.00	1		11/08/23 10:34	SM 4500-NH3 C		BEK0139
Total Nitrogen	ND	mg/L	1.00	1		11/13/23 15:17	SM 4500-NH3 C		BEK0139

The results in this report apply to the samples as received and were analyzed in accordance with the chain of custody document. This analytical report must be reproduced in its entirety. All results listed in this report are for the exclusive use of the submitting party. Dellavalle Laboratory, Inc. assumes no responsibility for report alteration, separation, detachment or third party interpretation.

DELLAVALLE™
LABORATORY INC

Hockstra
10836 Hwy 120
Oakdale, CA 95361

Account# 00-0026284
Account Manager: Scott Sakamoto
Submitted By: Jeanette Sawyer

Received: 11/02/2023 16:00
Reported: 11/13/2023 15:43

Sample Results
(Continued)

Sample: DW Parker
23K0162-06 (Water)

Sampled: 11/1/2023 7:00
Sampled By:

Analyte	Result	Units	Reporting Limit	DIL	DW MCL	Date/Time Analyzed	Method	Notes	Batch
Electrical Conductivity	**0.20**	mmhos/cm	0.01	1		11/06/23 12:38	SM 2510 B		BEK0127
Electrical Conductivity umhos	**200**	umhos/cm	10.0	1		11/06/23 12:38	SM 2510 B		BEK0127
Ammonia (as N)	*	mg/L	0.00	1		11/01/23 07:00	Field		BEK0382
Nitrate Nitrogen as NO3N	**3.0**	mg/L	0.1	1	10	11/03/23 03:35	EPA 300.0		BEK0069
Temperature	**25.0**	units	0.0	1		11/06/23 12:38	SM 4500-H+	H	BEK0127
pH	**8.0**	units	1.0	1		11/06/23 12:38	SM 4500-H+	H	BEK0127
Kjeldahl Nitrogen (TKN), Total	**1.25**	mg/L	1.00	1		11/08/23 10:36	SM 4500-NH3 C		BEK0139
Total Nitrogen	ND	mg/L	1.00	1		11/13/23 15:17	SM 4500-NH3 C		BEK0139

The results in this report apply to the samples as received and were analyzed in accordance with the chain of custody document. This analytical report must be reproduced in its entirety. All results listed in this report are for the exclusive use of the submitting party. Dellavalle Laboratory, Inc. assumes no responsibility for report alteration, separation, detachment or third party interpretation.

DELLAVALLE™
LABORATORY INC

Hockstra
10836 Hwy 120
Oakdale, CA 95361

Account# 00-0026284
Account Manager: Scott Sakamoto
Submitted By: Jeanette Sawyer

Received: 11/02/2023 16:00
Reported: 11/13/2023 15:43

Sample Results
(Continued)

Sample: DW Round Dairy
23K0162-07 (Water)

Sampled: 11/1/2023 7:00
Sampled By:

Analyte	Result	Units	Reporting Limit	DIL	DW MCL	Date/Time Analyzed	Method	Notes	Batch
Electrical Conductivity	**0.59**	mmhos/cm	0.01	1		11/06/23 12:40	SM 2510 B		BEK0127
Electrical Conductivity umhos	**588**	umhos/cm	10.0	1		11/06/23 12:40	SM 2510 B		BEK0127
Ammonia (as N)	*	mg/L	0.00	1		11/01/23 07:00	Field		BEK0382
Nitrate Nitrogen as NO3N	**14.0**	mg/L	0.1	1	10	11/03/23 03:56	EPA 300.0		BEK0069
Temperature	**25.0**	units	0.0	1		11/06/23 12:40	SM 4500-H+	H	BEK0127
pH	**8.1**	units	1.0	1		11/06/23 12:40	SM 4500-H+	H	BEK0127
Kjeldahl Nitrogen (TKN), Total	**1.17**	mg/L	1.00	1		11/08/23 10:45	SM 4500-NH3 C		BEK0139
Total Nitrogen	ND	mg/L	1.00	1		11/13/23 15:17	SM 4500-NH3 C		BEK0139

The results in this report apply to the samples as received and were analyzed in accordance with the chain of custody document. This analytical report must be reproduced in its entirety. All results listed in this report are for the exclusive use of the submitting party. Dellavalle Laboratory, Inc. assumes no responsibility for report alteration, separation, detachment or third party interpretation.

11/02/23 16:00 23K0162

DELLAVALLE LABORATORY, INC.

1910 W. McKinley Avenue, Suite 110 • Fresno, CA 93728
www.dellavallelab.com 559 233-6129 · 800 228-9896 · Fax 559 268-8174

Purchase Order No | Bill To: Acct # | Cons # 13

No. Samples: 7 | No of Bottles: 14

Results Need By

Water Type: [ ] Drinking Water [ ] Wastewater [ ] Ag Water [ ] Groundwater [ ] Monitoring Well

Name: Hoekstra

Other:

Address: 10836 Hwy 120

City: Oakdale State: CA Zip: 95361

Telephone: 209 765-2926 Fax:

Cell/Email:

COPY TO: F&A Ag Services
& JSawyer@Fragservices.com

REQUESTED BY: Jeanette Sawyer

PROJECT:

CROP:

Analysis and Bottles Required: (*Please indicate Analysis*)

DCW
DWW HTW

[ ] Co. Health Dept
[ ] RWQCB [ ] Copy of Chain
[ ] State Forms [ ] QA/QC Documents

Sampled By:

	Description of Samples	Date Sampled	Time Sampled	Rec'd Temp °C	Field EC
1	IW Almonds	11/1/23	started 7 AM	-2.1	
2	Davis			-2.3	
3	Foggity			-2.7	
4	DW Constant New			-0.7	
5	New Dairy			-0.5	
6	Parker			-1.3	
7	Round Dairy			-1.8	
8					
9					
10					

IR Thermometer SN: 200560723
Correction Factor: 0°C
Calibration Due: 12/22/2023
Location: Laboratory

CHAIN OF CUSTODY

Carrier	Signature	Company	Received (Date/Time)	Relinquished (Date/Time)
First	Jeanette Sawyer	F&R Ag Services		
Second	JLF	DLV	11-2-23 11:00	11-2-23 3:45
Third				
Fourth		ACI	11/2 [illegible]	

I guarantee that as the client, or on behalf of client named, I have the authority to contract the above requested services. Should it be found that I do not have such authority, I agree to be personally liable for all costs and, if there should be action against me for this breach, reasonable attorneys' fees. It is understood that payment is expected to be cash with samples unless terms have been previously arranged. Terms are net 30 days; overdue accounts will be charged a liquidated damage fee of 2% per month (annually 24%) or $5.00 per month whichever is greater.

If payment is not made when due and a legitimate dispute exists concerning the product or services of Dellavalle Laboratory, Inc., it will be submitted to mediation under the Rules and Procedures of Creative Alternative to Litigation, Inc. (*cal*). If the dispute is not resolved in mediation, then the dispute will be submitted to binding arbitration through *cal* under its Rules and Procedures. The parties will equally bear the costs of mediation/arbitration. If, however, the mediator declares that no legitimate dispute exists, then debtor will pay all mediation and arbitration costs, and in the event of arbitration, reasonable attorneys' fees of Dellavalle Laboratory.

Invoicing Information:

Sampling hrs
Miles
Consulting

Shipping
$ In
$ Out

Amt Paid	Rec By	Check #	Date

Signature
Sample received in cooler with ice (coolant)
[ ] Yes [ ] No

2023 Hoekstra Dairy Annual Report

Final Audit Report 2024-06-28

Created:	2024-06-27
By:	Vince Furtado (vfurtado@fragservices.com)
Status:	Signed
Transaction ID:	CBJCHBCAABAA1KpN1INLzkd7Jqij5roXkB-FRyaYVxYA

"2023 Hoekstra Dairy Annual Report" History

Document created by Vince Furtado (vfurtado@fragservices.com)
2024-06-27 - 10:58:52 PM GMT

Document emailed to hoekstradairy71@gmail.com for signature
2024-06-27 - 11:00:47 PM GMT

Email viewed by hoekstradairy71@gmail.com
2024-06-27 - 11:49:22 PM GMT

Signer hoekstradairy71@gmail.com entered name at signing as Jack Hoekstra
2024-06-28 - 3:50:23 AM GMT

Document e-signed by Jack Hoekstra (hoekstradairy71@gmail.com)
Signature Date: 2024-06-28 - 3:50:25 AM GMT - Time Source: server

Agreement completed.
2024-06-28 - 3:50:25 AM GMT