Annual Report - General Order No. R5-2007-0035
Reporting period 01/01/2023 to 12/31/2023.

DAIRY FACILITY INFORMATION

A. NAME OF DAIRY OR BUSINESS OPERATING THE DAIRY: De Jong Bros Dairy

Physical address of dairy:

Number and Street	City	County	Zip Code
11006 East AVE	Ballico	Merced	95303

Street and nearest cross street (if no address):

Date facility was originally placed in operation: 02/01/1981

Regional Water Quality Control Board Basin Plan designation: San Joaquin River Basin

County Assessor Parcel Number(s) for dairy facility:

X042-X030-X026-XXXX

B. OPERATORS

De Jong, Frank

Operator name: De Jong, Frank

Telephone no.: (209) 632-7740 (Landline) (Cellular)

Mailing Address Number and Street	City	State	Zip Code
11006 East Ave	Ballico	CA	95303

This operator is responsible for paying permit fees.

C. OWNERS

De Jong, Frank

Legal owner name: De Jong, Frank

Telephone no.: (209) 632-7740 (Landline) (Cellular)

Mailing Address Number and Street	City	State	Zip Code
11006 East Ave	Ballico	CA	95303

This owner is responsible for paying permit fees.

Annual Report - General Order No. R5-2007-0035
Reporting period 01/01/2023 to 12/31/2023.

AVAILABLE NUTRIENTS

A. HERD INFORMATION

	Milk Cows	Dry Cows	Bred Heifers (15-24 mo.)	Heifers (7-14 mo. to breeding)	Calves (4-6 mo.)	Calves (0-3 mo.)
Number open confinement	0	200	400	600	200	0
Number under roof	1,325	0	0	0	0	0
Maximum number	1,325	200	400	600	200	0
Average number	1,325	200	400	600	200	0
Avg live weight (lbs)	1,400	1,450	900	650		

Predominant milk cow breed: Holstein

Average milk production: 80 *pounds per cow per day*

B. MANURE GENERATED

Total manure excreted by the herd: 48,800.68 *tons per reporting period*

Total nitrogen from manure: 606,330.23 *lbs per reporting period*

After ammonia losses (30% loss applied): 424,431.16 *lbs per reporting period*

Total phosphorus from manure: 100,569.75 *lbs per reporting period*

Total potassium from manure: 262,454.98 *lbs per reporting period*

Total salt from manure: 669,866.25 *lbs per reporting period*

C. PROCESS WASTEWATER GENERATED

Process wastewater generated: 33,120,000 *gallons*

Total nitrogen generated: 99,460.05 *lbs*

Total phosphorus generated: 18,291.67 *lbs*

Total potassium generated: 253,172.95 *lbs*

Total salt generated: 1,213,696.80 *lbs*

	33,120,000	*gallons applied*
+	0	*gallons exported*
-	0	*gallons imported*
=	33,120,000	*gallons generated*

D. FRESH WATER SOURCES

Source Description	Type
AG Well #1	Ground water
Ag Well #7	Ground water

E. SUBSURFACE (TILE) DRAINAGE SOURCES

No subsurface (tile) drainage sources entered.

F. NUTRIENT IMPORTS

No dry manure nutrient imports entered.

No process wastewater nutrient imports entered.

Date	Material type / Description	Quantity	Reporting basis	Moisture (%)	N (%)	P (%)	K (%)	Salt (%)
06/10/2023	Solid commercial fertilizer *20-0-0*	31.80 *ton*	Dry-weight	0.1	20.000000	0.000000	0.000000	0.000000

Material type	Total N (lbs)	Total P (lbs)	Total K (lbs)	Total salt (lbs)
Commercial fertilizer / Other	12,707.28	0.00	0.00	0.00
Dry manure	0.00	0.00	0.00	0.00
Process wastewater	0.00	0.00	0.00	0.00
Total imports for all materials	12,707.28	0.00	0.00	0.00

G. NUTRIENT EXPORTS

Date	Material type	Quantity	Reporting basis	Moisture (%)	Density (lbs/cu ft)	N (mg/kg)	P (mg/kg)	K (mg/kg)	Salt (mg/kg)	TFS (%)
11/01/2023	Corral solids	5,025.00 *ton*	Dry-weight	72.3		24,800.00	5,270.00	9,220.00		0.00
12/14/2023	Corral solids	3,275.00 *ton*	Dry-weight	72.3		24,800.00	5,270.00	9,220.00		0.00

No liquid nutrient exports entered.

Material type	Total N (lbs)	Total P (lbs)	Total K (lbs)	Total salt (lbs)
Dry manure	114,035.36	24,232.51	42,395.40	0.00
Process wastewater	0.00	0.00	0.00	0.00
Total exports for all materials	114,035.36	24,232.51	42,395.40	0.00

APPLICATION AREA

A. LIST OF LAND APPLICATION AREAS

Field name	Controlled acres	Cropable acres	Total harvests	Type of waste applied	Parcel number
Field 1	106	106	2	both	X042-X030-X026-XXXX
Field 2	93	93	2	both	X042-X030-X026-XXXX
Field 3	89	89	2	both	X042-X030-X026-XXXX
Field 4	30	30	2	both	X042-X030-X026-XXXX
Totals for areas that were used for application	318	318	8		
Totals for areas that were not used for application					
Land application area totals	318	318	8		

B. CROPS AND HARVESTS

Field 1

Field name: Field 1

11/01/2022: Wheat, silage, soft dough

Crop: Wheat, silage, soft dough Acres planted: 106 Plant date: 11/01/2022

Harvest date	Yield	Reporting basis	Density (lbs/cu ft)	Moisture (%)	N (mg/kg)	P (mg/kg)	K (mg/kg)	Salt (mg/kg)	TFS (%)
04/27/2023	1,040.00 *ton*	As-is		52.0	8,640.00	960.00	11,000.00		8.50

	Yield (tons/acre)	Total N (lbs/acre)	Total P (lbs/acre)	Total K (lbs/acre)	Salt (lbs/acre)
Anticipated harvest content	14.00	154.00	23.80	116.20	0.00
Total actual harvest content	9.81	169.54	18.84	215.85	800.60

06/08/2023: Corn, silage

Crop: Corn, silage Acres planted: 106 Plant date: 06/08/2023

Harvest date	Yield	Reporting basis	Density (lbs/cu ft)	Moisture (%)	N (mg/kg)	P (mg/kg)	K (mg/kg)	Salt (mg/kg)	TFS (%)
09/25/2023	2,720.00 *ton*	As-is		61.6	4,250.00	730.00	7,300.00		6.21

	Yield (tons/acre)	Total N (lbs/acre)	Total P (lbs/acre)	Total K (lbs/acre)	Salt (lbs/acre)
Anticipated harvest content	24.00	192.00	36.00	158.40	0.00
Total actual harvest content	25.66	218.11	37.46	374.64	1,223.82

Field 2

Field name: Field 2

11/02/2022: Wheat, silage, soft dough

Crop: Wheat, silage, soft dough Acres planted: 93 Plant date: 11/02/2022

Harvest date	Yield	Reporting basis	Density (lbs/cu ft)	Moisture (%)	N (mg/kg)	P (mg/kg)	K (mg/kg)	Salt (mg/kg)	TFS (%)
04/27/2023	1,145.00 *ton*	As-is		72.6	6,610.00	1,150.00	15,900.00		11.00

	Yield (tons/acre)	Total N (lbs/acre)	Total P (lbs/acre)	Total K (lbs/acre)	Salt (lbs/acre)
Anticipated harvest content	14.00	154.00	23.80	116.20	0.00
Total actual harvest content	12.31	162.76	28.32	391.52	742.16

06/09/2023: Corn, silage

Crop: Corn, silage Acres planted: 93 Plant date: 06/09/2023

Harvest date	Yield	Reporting basis	Density (lbs/cu ft)	Moisture (%)	N (mg/kg)	P (mg/kg)	K (mg/kg)	Salt (mg/kg)	TFS (%)
09/25/2023	2,481.00 *ton*	As-is		65.0	3,940.00	740.00	6,300.00		5.59

	Yield (tons/acre)	Total N (lbs/acre)	Total P (lbs/acre)	Total K (lbs/acre)	Salt (lbs/acre)
Anticipated harvest content	24.00	192.00	36.00	158.40	0.00
Total actual harvest content	26.68	210.22	39.48	336.14	1,043.89

Field 3

Field name: Field 3

11/03/2022: Wheat, silage, soft dough

Crop: Wheat, silage, soft dough Acres planted: 89 Plant date: 11/03/2022

Harvest date	Yield	Reporting basis	Density (lbs/cu ft)	Moisture (%)	N (mg/kg)	P (mg/kg)	K (mg/kg)	Salt (mg/kg)	TFS (%)
04/29/2023	1,247.00 *ton*	As-is		66.2	5,260.00	1,180.00	17,600.00		10.40

	Yield (tons/acre)	Total N (lbs/acre)	Total P (lbs/acre)	Total K (lbs/acre)	Salt (lbs/acre)
Anticipated harvest content	14.00	154.00	23.80	116.20	0.00
Total actual harvest content	14.01	147.40	33.07	493.20	985.05

Field 3

06/10/2023: Corn, silage

Crop: Corn, silage Acres planted: 89 Plant date: 06/10/2023

Harvest date	Yield	Reporting basis	Density (lbs/cu ft)	Moisture (%)	N (mg/kg)	P (mg/kg)	K (mg/kg)	Salt (mg/kg)	TFS (%)
09/25/2023	2,349.00 *ton*	As-is		64.2	4,070.00	680.00	11,100.00		6.92

	Yield (tons/acre)	Total N (lbs/acre)	Total P (lbs/acre)	Total K (lbs/acre)	Salt (lbs/acre)
Anticipated harvest content	24.00	192.00	36.00	158.40	0.00
Total actual harvest content	26.39	214.84	35.89	585.93	1,307.71

Field 4

Field name: Field 4

11/03/2022: Wheat, silage, soft dough

Crop: Wheat, silage, soft dough Acres planted: 30 Plant date: 11/03/2022

Harvest date	Yield	Reporting basis	Density (lbs/cu ft)	Moisture (%)	N (mg/kg)	P (mg/kg)	K (mg/kg)	Salt (mg/kg)	TFS (%)
04/29/2023	336.00 *ton*	As-is		55.2	8,170.00	760.00	8,960.00		9.83

	Yield (tons/acre)	Total N (lbs/acre)	Total P (lbs/acre)	Total K (lbs/acre)	Salt (lbs/acre)
Anticipated harvest content	14.00	154.00	23.80	116.20	0.00
Total actual harvest content	11.20	183.01	17.02	200.70	986.46

06/10/2023: Corn, silage

Crop: Corn, silage Acres planted: 30 Plant date: 06/10/2023

Harvest date	Yield	Reporting basis	Density (lbs/cu ft)	Moisture (%)	N (mg/kg)	P (mg/kg)	K (mg/kg)	Salt (mg/kg)	TFS (%)
09/25/2023	743.00 *ton*	As-is		68.6	4,510.00	530.00	9,730.00		6.79

	Yield (tons/acre)	Total N (lbs/acre)	Total P (lbs/acre)	Total K (lbs/acre)	Salt (lbs/acre)
Anticipated harvest content	24.00	192.00	36.00	158.40	0.00
Total actual harvest content	24.77	223.40	26.25	481.96	1,056.08

NUTRIENT BUDGET

A. LAND APPLICATIONS

Field 1 - 11/01/2022: Wheat, silage, soft dough

Field name: Field 1

Crop: Wheat, silage, soft dough — Plant date: 11/01/2022

Application date	Application method	Precipitation 24 hours prior	Precipitation during application	Precipitation 24 hours following
12/01/2022	Surface (irrigation)	No precipitation	No precipitation	No precipitation

Source description	Material type	N (lbs/acre)	P (lbs/acre)	K (lbs/acre)	Salt (lbs/acre)	Amount
WWS	Process wastewater	53.57	9.72	130.51	708.54	1,800,000.00 *gal*
Ag Well #7	Ground water	4.20	0.00	0.00	0.00	12,960,000.00 *gal*
Application event totals		57.77	9.72	130.51	708.54	

Application date	Application method	Precipitation 24 hours prior	Precipitation during application	Precipitation 24 hours following
02/25/2023	Surface (irrigation)	No precipitation	No precipitation	No precipitation

Source description	Material type	N (lbs/acre)	P (lbs/acre)	K (lbs/acre)	Salt (lbs/acre)	Amount
WWS	Process wastewater	46.42	9.39	82.73	466.22	1,260,000.00 *gal*
Ag Well #7	Ground water	3.78	0.00	0.00	0.00	11,664,000.00 *gal*
Application event totals		50.21	9.39	82.73	466.22	

Application date	Application method	Precipitation 24 hours prior	Precipitation during application	Precipitation 24 hours following
03/27/2023	Surface (irrigation)	No precipitation	No precipitation	No precipitation

Source description	Material type	N (lbs/acre)	P (lbs/acre)	K (lbs/acre)	Salt (lbs/acre)	Amount
Ag Well #7	Ground water	4.62	0.00	0.00	0.00	14,256,000.00 *gal*
Application event totals		4.62	0.00	0.00	0.00	

Application date	Application method	Precipitation 24 hours prior	Precipitation during application	Precipitation 24 hours following
09/12/2023	Broadcast/incorporate	No precipitation	No precipitation	No precipitation

Source description	Material type	N (lbs/acre)	P (lbs/acre)	K (lbs/acre)	Salt (lbs/acre)	Amount
Solid Manure	Corral solids	122.21	57.09	43.61	0.00	950.00 *ton*
Application event totals		122.21	57.09	43.61	0.00	

Field 1 - 06/08/2023: Corn, silage

Field name: Field 1

Crop: Corn, silage — Plant date: 06/08/2023

Field 1 - 06/08/2023: Corn, silage

Application date	Application method	Precipitation 24 hours prior	Precipitation during application	Precipitation 24 hours following
05/20/2023	Surface (irrigation)	No precipitation	No precipitation	No precipitation

Source description	Material type	N (lbs/acre)	P (lbs/acre)	K (lbs/acre)	Salt (lbs/acre)	Amount
WWS	Process wastewater	75.67	14.37	239.77	1,156.33	2,160,000.00 *gal*
Ag Well #7	Ground water	5.04	0.00	0.00	0.00	15,552,000.00 *gal*
Application event totals		80.72	14.37	239.77	1,156.33	

06/08/2023	Sidedress	No precipitation	No precipitation	No precipitation

Source description	Material type	N (lbs/acre)	P (lbs/acre)	K (lbs/acre)	Salt (lbs/acre)	Amount
20-0-0	Solid commercial fertilizer	40.00	0.00	0.00	0.00	
Application event totals		40.00	0.00	0.00	0.00	

07/08/2023	Surface (irrigation)	No precipitation	No precipitation	No precipitation

Source description	Material type	N (lbs/acre)	P (lbs/acre)	K (lbs/acre)	Salt (lbs/acre)	Amount
Ag Well #7	Ground water	4.20	0.00	0.00	0.00	12,960,000.00 *gal*
Application event totals		4.20	0.00	0.00	0.00	

07/22/2023	Surface (irrigation)	No precipitation	No precipitation	No precipitation

Source description	Material type	N (lbs/acre)	P (lbs/acre)	K (lbs/acre)	Salt (lbs/acre)	Amount
WWS	Process wastewater	63.06	11.97	199.81	963.61	1,800,000.00 *gal*
Ag Well #7	Ground water	4.20	0.00	0.00	0.00	12,960,000.00 *gal*
Application event totals		67.26	11.97	199.81	963.61	

08/05/2023	Surface (irrigation)	No precipitation	No precipitation	No precipitation

Source description	Material type	N (lbs/acre)	P (lbs/acre)	K (lbs/acre)	Salt (lbs/acre)	Amount
WWS	Process wastewater	33.73	5.50	67.31	255.07	1,800,000.00 *gal*
Ag Well #7	Ground water	3.89	0.00	0.00	0.00	11,988,000.00 *gal*
Application event totals		37.61	5.50	67.31	255.07	

Field 1 - 06/08/2023: Corn, silage

Application date	Application method	Precipitation 24 hours prior	Precipitation during application	Precipitation 24 hours following
08/19/2023	Surface (irrigation)	No precipitation	No precipitation	No precipitation

Source description	Material type	N (lbs/acre)	P (lbs/acre)	K (lbs/acre)	Salt (lbs/acre)	Amount
WWS	Process wastewater	30.35	4.95	60.58	229.57	1,620,000.00 *gal*
Ag Well #7	Ground water	3.82	0.00	0.00	0.00	11,772,000.00 *gal*
Application event totals		34.17	4.95	60.58	229.57	

Application date	Application method	Precipitation 24 hours prior	Precipitation during application	Precipitation 24 hours following
09/02/2023	Surface (irrigation)	No precipitation	No precipitation	No precipitation

Source description	Material type	N (lbs/acre)	P (lbs/acre)	K (lbs/acre)	Salt (lbs/acre)	Amount
Ag Well #7	Ground water	3.78	0.00	0.00	0.00	11,664,000.00 *gal*
Application event totals		3.78	0.00	0.00	0.00	

Field 2 - 11/02/2022: Wheat, silage, soft dough

Field name: Field 2

Crop: Wheat, silage, soft dough

Plant date: 11/02/2022

Application date	Application method	Precipitation 24 hours prior	Precipitation during application	Precipitation 24 hours following
12/07/2022	Surface (irrigation)	No precipitation	No precipitation	No precipitation

Source description	Material type	N (lbs/acre)	P (lbs/acre)	K (lbs/acre)	Salt (lbs/acre)	Amount
WWS	Process wastewater	36.63	6.65	89.25	484.55	1,080,000.00 *gal*
Ag Well #7	Ground water	4.31	0.00	0.00	0.00	11,664,000.00 *gal*
Application event totals		40.94	6.65	89.25	484.55	

Application date	Application method	Precipitation 24 hours prior	Precipitation during application	Precipitation 24 hours following
03/02/2023	Surface (irrigation)	No precipitation	No precipitation	No precipitation

Source description	Material type	N (lbs/acre)	P (lbs/acre)	K (lbs/acre)	Salt (lbs/acre)	Amount
WWS	Process wastewater	52.91	10.71	94.29	531.39	1,260,000.00 *gal*
Ag Well #7	Ground water	4.79	0.00	0.00	0.00	12,960,000.00 *gal*
Application event totals		57.70	10.71	94.29	531.39	

Field 2 - 11/02/2022: Wheat, silage, soft dough

Application date	Application method	Precipitation 24 hours prior	Precipitation during application	Precipitation 24 hours following
04/02/2023	Surface (irrigation)	No precipitation	No precipitation	No precipitation

Source description	Material type	N (lbs/acre)	P (lbs/acre)	K (lbs/acre)	Salt (lbs/acre)	Amount
Ag Well #7	Ground water	4.79	0.00	0.00	0.00	12,960,000.00 *gal*
Application event totals		4.79	0.00	0.00	0.00	

09/12/2023	Broadcast/incorporate	No precipitation	No precipitation	No precipitation

Source description	Material type	N (lbs/acre)	P (lbs/acre)	K (lbs/acre)	Salt (lbs/acre)	Amount
Solid Manure	Corral solids	120.23	56.16	42.91	0.00	820.00 *ton*
Application event totals		120.23	56.16	42.91	0.00	

Field 2 - 06/09/2023: Corn, silage

Field name: Field 2

Crop: Corn, silage

Plant date: 06/09/2023

Application date	Application method	Precipitation 24 hours prior	Precipitation during application	Precipitation 24 hours following
05/20/2023	Surface (irrigation)	No precipitation	No precipitation	No precipitation

Source description	Material type	N (lbs/acre)	P (lbs/acre)	K (lbs/acre)	Salt (lbs/acre)	Amount
WWS	Process wastewater	86.25	16.38	273.29	1,317.97	2,160,000.00 *gal*
Ag Well #7	Ground water	5.27	0.00	0.00	0.00	14,256,000.00 *gal*
Application event totals		91.52	16.38	273.29	1,317.97	

06/09/2023	Sidedress	No precipitation	No precipitation	No precipitation

Source description	Material type	N (lbs/acre)	P (lbs/acre)	K (lbs/acre)	Salt (lbs/acre)	Amount
20-0-0	Solid commercial fertilizer	40.00	0.00	0.00	0.00	
Application event totals		40.00	0.00	0.00	0.00	

07/08/2023	Surface (irrigation)	No precipitation	No precipitation	No precipitation

Source description	Material type	N (lbs/acre)	P (lbs/acre)	K (lbs/acre)	Salt (lbs/acre)	Amount
Ag Well #7	Ground water	4.31	0.00	0.00	0.00	11,664,000.00 *gal*
Application event totals		4.31	0.00	0.00	0.00	

Field 2 - 06/09/2023: Corn, silage

Application date	Application method	Precipitation 24 hours prior	Precipitation during application	Precipitation 24 hours following
07/22/2023	Surface (irrigation)	No precipitation	No precipitation	No precipitation

Source description	Material type	N (lbs/acre)	P (lbs/acre)	K (lbs/acre)	Salt (lbs/acre)	Amount
WWS	Process wastewater	71.87	13.65	227.74	1,098.31	1,800,000.00 *gal*
Ag Well #7	Ground water	4.31	0.00	0.00	0.00	11,664,000.00 *gal*
Application event totals		76.19	13.65	227.74	1,098.31	

Application date	Application method	Precipitation 24 hours prior	Precipitation during application	Precipitation 24 hours following
08/05/2023	Surface (irrigation)	No precipitation	No precipitation	No precipitation

Source description	Material type	N (lbs/acre)	P (lbs/acre)	K (lbs/acre)	Salt (lbs/acre)	Amount
WWS	Process wastewater	38.44	6.27	76.72	290.73	1,800,000.00 *gal*
Ag Well #7	Ground water	4.07	0.00	0.00	0.00	11,016,000.00 *gal*
Application event totals		42.51	6.27	76.72	290.73	

Application date	Application method	Precipitation 24 hours prior	Precipitation during application	Precipitation 24 hours following
08/19/2023	Surface (irrigation)	No precipitation	No precipitation	No precipitation

Source description	Material type	N (lbs/acre)	P (lbs/acre)	K (lbs/acre)	Salt (lbs/acre)	Amount
WWS	Process wastewater	34.60	5.64	69.05	261.66	1,620,000.00 *gal*
Ag Well #7	Ground water	4.07	0.00	0.00	0.00	11,016,000.00 *gal*
Application event totals		38.67	5.64	69.05	261.66	

Application date	Application method	Precipitation 24 hours prior	Precipitation during application	Precipitation 24 hours following
09/02/2023	Surface (irrigation)	No precipitation	No precipitation	No precipitation

Source description	Material type	N (lbs/acre)	P (lbs/acre)	K (lbs/acre)	Salt (lbs/acre)	Amount
Ag Well #7	Ground water	3.83	0.00	0.00	0.00	10,368,000.00 *gal*
Application event totals		3.83	0.00	0.00	0.00	

Field 3 - 11/03/2022: Wheat, silage, soft dough

Field name: Field 3

Crop: Wheat, silage, soft dough

Plant date: 11/03/2022

Application date	Application method	Precipitation 24 hours prior	Precipitation during application	Precipitation 24 hours following

Field 3 - 11/03/2022: Wheat, silage, soft dough

Application date	Application method	Precipitation 24 hours prior	Precipitation during application	Precipitation 24 hours following
12/13/2022	Surface (irrigation)	No precipitation	No precipitation	No precipitation

Source description	Material type	N (lbs/acre)	P (lbs/acre)	K (lbs/acre)	Salt (lbs/acre)	Amount
WWS	Process wastewater	34.03	6.17	82.90	450.07	960,000.00 *gal*
AG Well #1	Ground water	0.37	0.00	0.00	0.00	8,640,000.00 *gal*
Application event totals		34.40	6.17	82.90	450.07	

Application date	Application method	Precipitation 24 hours prior	Precipitation during application	Precipitation 24 hours following
03/08/2023	Surface (irrigation)	No precipitation	No precipitation	No precipitation

Source description	Material type	N (lbs/acre)	P (lbs/acre)	K (lbs/acre)	Salt (lbs/acre)	Amount
WWS	Process wastewater	47.39	9.59	84.46	475.95	1,080,000.00 *gal*
AG Well #1	Ground water	0.34	0.00	0.00	0.00	7,776,000.00 *gal*
Application event totals		47.73	9.59	84.46	475.95	

Application date	Application method	Precipitation 24 hours prior	Precipitation during application	Precipitation 24 hours following
04/03/2023	Surface (irrigation)	No precipitation	No precipitation	No precipitation

Source description	Material type	N (lbs/acre)	P (lbs/acre)	K (lbs/acre)	Salt (lbs/acre)	Amount
AG Well #1	Ground water	0.45	0.00	0.00	0.00	10,368,000.00 *gal*
Application event totals		0.45	0.00	0.00	0.00	

Application date	Application method	Precipitation 24 hours prior	Precipitation during application	Precipitation 24 hours following
09/12/2023	Broadcast/incorporate	No precipitation	No precipitation	No precipitation

Source description	Material type	N (lbs/acre)	P (lbs/acre)	K (lbs/acre)	Salt (lbs/acre)	Amount
Solid Manure	Corral solids	122.57	57.26	43.74	0.00	800.00 *ton*
Application event totals		122.57	57.26	43.74	0.00	

Field 3 - 06/10/2023: Corn, silage

Field name: Field 3

Crop: Corn, silage

Plant date: 06/10/2023

Application date	Application method	Precipitation 24 hours prior	Precipitation during application	Precipitation 24 hours following

Field 3 - 06/10/2023: Corn, silage

Application date	Application method	Precipitation 24 hours prior	Precipitation during application	Precipitation 24 hours following
05/25/2023	Surface (irrigation)	No precipitation	No precipitation	No precipitation

Source description	Material type	N (lbs/acre)	P (lbs/acre)	K (lbs/acre)	Salt (lbs/acre)	Amount
WWS	Process wastewater	120.17	22.82	380.76	1,836.28	2,880,000.00 *gal*
AG Well #1	Ground water	0.60	0.00	0.00	0.00	13,824,000.00 *gal*
Application event totals		120.76	22.82	380.76	1,836.28	

06/10/2023	Sidedress	No precipitation	No precipitation	No precipitation

Source description	Material type	N (lbs/acre)	P (lbs/acre)	K (lbs/acre)	Salt (lbs/acre)	Amount
20-0-0	Solid commercial fertilizer	40.00	0.00	0.00	0.00	
Application event totals		40.00	0.00	0.00	0.00	

07/10/2023	Surface (irrigation)	No precipitation	No precipitation	No precipitation

Source description	Material type	N (lbs/acre)	P (lbs/acre)	K (lbs/acre)	Salt (lbs/acre)	Amount
AG Well #1	Ground water	0.50	0.00	0.00	0.00	11,664,000.00 *gal*
Application event totals		0.50	0.00	0.00	0.00	

07/24/2023	Surface (irrigation)	No precipitation	No precipitation	No precipitation

Source description	Material type	N (lbs/acre)	P (lbs/acre)	K (lbs/acre)	Salt (lbs/acre)	Amount
AG Well #1	Ground water	0.45	0.00	0.00	0.00	10,368,000.00 *gal*
Application event totals		0.45	0.00	0.00	0.00	

08/07/2023	Surface (irrigation)	No precipitation	No precipitation	No precipitation

Source description	Material type	N (lbs/acre)	P (lbs/acre)	K (lbs/acre)	Salt (lbs/acre)	Amount
WWS	Process wastewater	48.20	7.86	96.20	364.55	2,160,000.00 *gal*
AG Well #1	Ground water	0.45	0.00	0.00	0.00	10,368,000.00 *gal*
Application event totals		48.65	7.86	96.20	364.55	

Field 3 - 06/10/2023: Corn, silage

Application date	Application method	Precipitation 24 hours prior	Precipitation during application	Precipitation 24 hours following
08/21/2023	Surface (irrigation)	No precipitation	No precipitation	No precipitation

Source description	Material type	N (lbs/acre)	P (lbs/acre)	K (lbs/acre)	Salt (lbs/acre)	Amount
WWS	Process wastewater	48.20	7.86	96.20	364.55	2,160,000.00 *gal*
AG Well #1	Ground water	0.48	0.00	0.00	0.00	11,232,000.00 *gal*
Application event totals		48.69	7.86	96.20	364.55	

Application date	Application method	Precipitation 24 hours prior	Precipitation during application	Precipitation 24 hours following
09/04/2023	Surface (irrigation)	No precipitation	No precipitation	No precipitation

Source description	Material type	N (lbs/acre)	P (lbs/acre)	K (lbs/acre)	Salt (lbs/acre)	Amount
AG Well #1	Ground water	0.45	0.00	0.00	0.00	10,368,000.00 *gal*
Application event totals		0.45	0.00	0.00	0.00	

Field 4 - 11/03/2022: Wheat, silage, soft dough

Field name: Field 4

Crop: Wheat, silage, soft dough

Plant date: 11/03/2022

Application date	Application method	Precipitation 24 hours prior	Precipitation during application	Precipitation 24 hours following
12/22/2022	Surface (irrigation)	No precipitation	No precipitation	No precipitation

Source description	Material type	N (lbs/acre)	P (lbs/acre)	K (lbs/acre)	Salt (lbs/acre)	Amount
WWS	Process wastewater	75.71	13.74	184.46	1,001.40	720,000.00 *gal*
AG Well #1	Ground water	0.66	0.00	0.00	0.00	5,184,000.00 *gal*
Application event totals		76.37	13.74	184.46	1,001.40	

Application date	Application method	Precipitation 24 hours prior	Precipitation during application	Precipitation 24 hours following
03/15/2023	Surface (irrigation)	No precipitation	No precipitation	No precipitation

Source description	Material type	N (lbs/acre)	P (lbs/acre)	K (lbs/acre)	Salt (lbs/acre)	Amount
WWS	Process wastewater	62.49	12.64	111.36	627.54	480,000.00 *gal*
AG Well #1	Ground water	0.33	0.00	0.00	0.00	2,592,000.00 *gal*
Application event totals		62.82	12.64	111.36	627.54	

Field 4 - 11/03/2022: Wheat, silage, soft dough

Application date	Application method	Precipitation 24 hours prior	Precipitation during application	Precipitation 24 hours following
04/10/2023	Surface (irrigation)	No precipitation	No precipitation	No precipitation

Source description	Material type	N (lbs/acre)	P (lbs/acre)	K (lbs/acre)	Salt (lbs/acre)	Amount
AG Well #1	Ground water	0.39	0.00	0.00	0.00	3,024,000.00 *gal*
Application event totals		0.39	0.00	0.00	0.00	

09/12/2023	Broadcast/incorporate	No precipitation	No precipitation	No precipitation

Source description	Material type	N (lbs/acre)	P (lbs/acre)	K (lbs/acre)	Salt (lbs/acre)	Amount
Solid Manure	Corral solids	113.64	53.08	40.55	0.00	250.00 *ton*
Application event totals		113.64	53.08	40.55	0.00	

Field 4 - 06/10/2023: Corn, silage

Field name: Field 4

Crop: Corn, silage

Plant date: 06/10/2023

Application date	Application method	Precipitation 24 hours prior	Precipitation during application	Precipitation 24 hours following
05/22/2023	Surface (irrigation)	No precipitation	No precipitation	No precipitation

Source description	Material type	N (lbs/acre)	P (lbs/acre)	K (lbs/acre)	Salt (lbs/acre)	Amount
WWS	Process wastewater	133.69	25.39	423.59	2,042.86	1,080,000.00 *gal*
AG Well #1	Ground water	0.66	0.00	0.00	0.00	5,184,000.00 *gal*
Application event totals		134.35	25.39	423.59	2,042.86	

06/10/2023	Sidedress	No precipitation	No precipitation	No precipitation

Source description	Material type	N (lbs/acre)	P (lbs/acre)	K (lbs/acre)	Salt (lbs/acre)	Amount
20-0-0	Solid commercial fertilizer	40.00	0.00	0.00	0.00	
Application event totals		40.00	0.00	0.00	0.00	

07/07/2023	Surface (irrigation)	No precipitation	No precipitation	No precipitation

Source description	Material type	N (lbs/acre)	P (lbs/acre)	K (lbs/acre)	Salt (lbs/acre)	Amount
AG Well #1	Ground water	0.59	0.00	0.00	0.00	4,608,000.00 *gal*
Application event totals		0.59	0.00	0.00	0.00	

Field 4 - 06/10/2023: Corn, silage

Application date	Application method	Precipitation 24 hours prior	Precipitation during application	Precipitation 24 hours following
07/21/2023	Surface (irrigation)	No precipitation	No precipitation	No precipitation

Source description	Material type	N (lbs/acre)	P (lbs/acre)	K (lbs/acre)	Salt (lbs/acre)	Amount
AG Well #1	Ground water	0.50	0.00	0.00	0.00	3,888,000.00 *gal*
Application event totals		0.50	0.00	0.00	0.00	

Application date	Application method	Precipitation 24 hours prior	Precipitation during application	Precipitation 24 hours following
08/04/2023	Surface (irrigation)	No precipitation	No precipitation	No precipitation

Source description	Material type	N (lbs/acre)	P (lbs/acre)	K (lbs/acre)	Salt (lbs/acre)	Amount
WWS	Process wastewater	47.67	7.77	95.13	360.50	720,000.00 *gal*
AG Well #1	Ground water	0.44	0.00	0.00	0.00	3,456,000.00 *gal*
Application event totals		48.11	7.77	95.13	360.50	

Application date	Application method	Precipitation 24 hours prior	Precipitation during application	Precipitation 24 hours following
08/18/2023	Surface (irrigation)	No precipitation	No precipitation	No precipitation

Source description	Material type	N (lbs/acre)	P (lbs/acre)	K (lbs/acre)	Salt (lbs/acre)	Amount
WWS	Process wastewater	47.67	7.77	95.13	360.50	720,000.00 *gal*
AG Well #1	Ground water	0.44	0.00	0.00	0.00	3,456,000.00 *gal*
Application event totals		48.11	7.77	95.13	360.50	

Application date	Application method	Precipitation 24 hours prior	Precipitation during application	Precipitation 24 hours following
09/01/2023	Surface (irrigation)	No precipitation	No precipitation	No precipitation

Source description	Material type	N (lbs/acre)	P (lbs/acre)	K (lbs/acre)	Salt (lbs/acre)	Amount
AG Well #1	Ground water	0.44	0.00	0.00	0.00	3,456,000.00 *gal*
Application event totals		0.44	0.00	0.00	0.00	

B. NUTRIENT BUDGET

Field 1 - 11/01/2022: Wheat, silage, soft dough

Field name: Field 1 Crop: Wheat, silage, soft dough Plant date: 11/01/2022

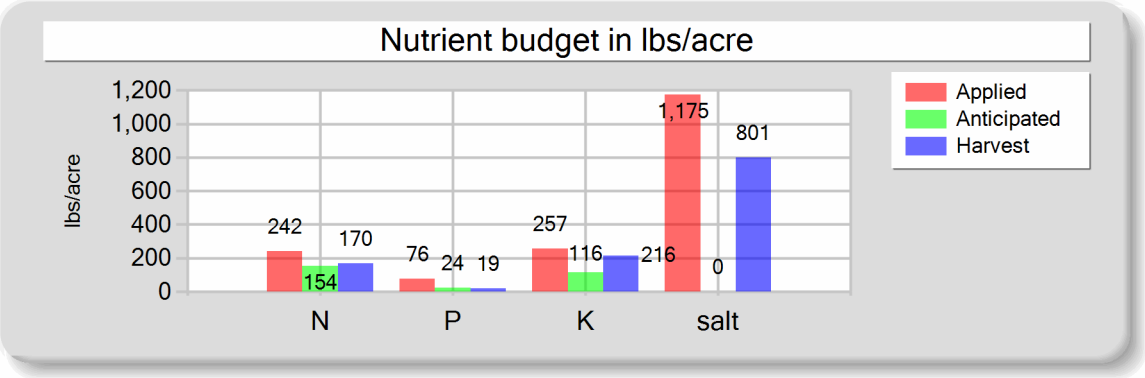

	Total N (lbs/acre)	Total P (lbs/acre)	Total K (lbs/acre)	Total salt (lbs/acre)
Existing soil nutrient content	0.00	0.00	0.00	0.00
Plowdown credit	0.00	0.00	0.00	0.00
Commercial fertilizer / Other	0.00	0.00	0.00	0.00
Dry manure	122.21	57.09	43.61	0.00
Process wastewater	99.99	19.11	213.24	1,174.76
Fresh water	12.61	0.00	0.00	0.00
Atmospheric deposition	7.00	0.00	0.00	0.00
Total nutrients applied	241.81	76.20	256.85	1,174.76
Anticipated crop nutrient removal	154.00	23.80	116.20	0.00
Actual crop nutrient removal	169.54	18.84	215.85	800.60
Nutrient balance	72.27	57.37	41.00	374.15
Applied to removed ratio	1.43	4.05	1.19	1.47

Fresh water applied	
38,880,000.00	*gallons*
1,431.82	*acre-inches*
13.51	*inches/acre*

Process wastewater applied	
3,060,000.00	*gallons*
112.69	*acre-inches*
1.06	*inches/acre*

Total harvests for the crop	
1	*harvests*

Field 1 - 06/08/2023: Corn, silage

Field name: Field 1 Crop: Corn, silage Plant date: 06/08/2023

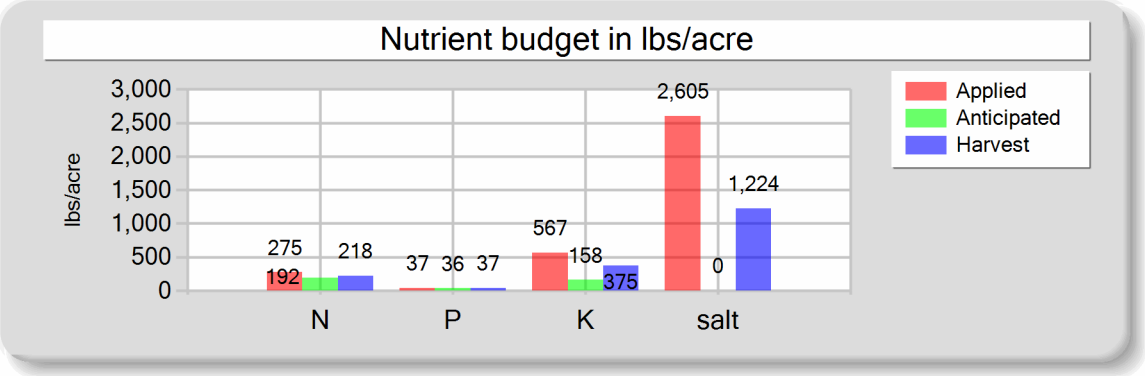

	Total N (lbs/acre)	Total P (lbs/acre)	Total K (lbs/acre)	Total salt (lbs/acre)
Existing soil nutrient content	0.00	0.00	0.00	0.00
Plowdown credit	0.00	0.00	0.00	0.00
Commercial fertilizer / Other	40.00	0.00	0.00	0.00
Dry manure	0.00	0.00	0.00	0.00
Process wastewater	202.81	36.79	567.47	2,604.58
Fresh water	24.94	0.00	0.00	0.00
Atmospheric deposition	7.00	0.00	0.00	0.00
Total nutrients applied	274.75	36.79	567.47	2,604.58
Anticipated crop nutrient removal	192.00	36.00	158.40	0.00
Actual crop nutrient removal	218.11	37.46	374.64	1,223.82
Nutrient balance	56.64	-0.67	192.83	1,380.77
Applied to removed ratio	1.26	0.98	1.51	2.13

Fresh water applied	
76,896,000.00	*gallons*
2,831.82	*acre-inches*
26.72	*inches/acre*

Process wastewater applied	
7,380,000.00	*gallons*
271.78	*acre-inches*
2.56	*inches/acre*

Total harvests for the crop	
1	*harvests*

Field 2 - 11/02/2022: Wheat, silage, soft dough

Field name: Field 2 Crop: Wheat, silage, soft dough Plant date: 11/02/2022

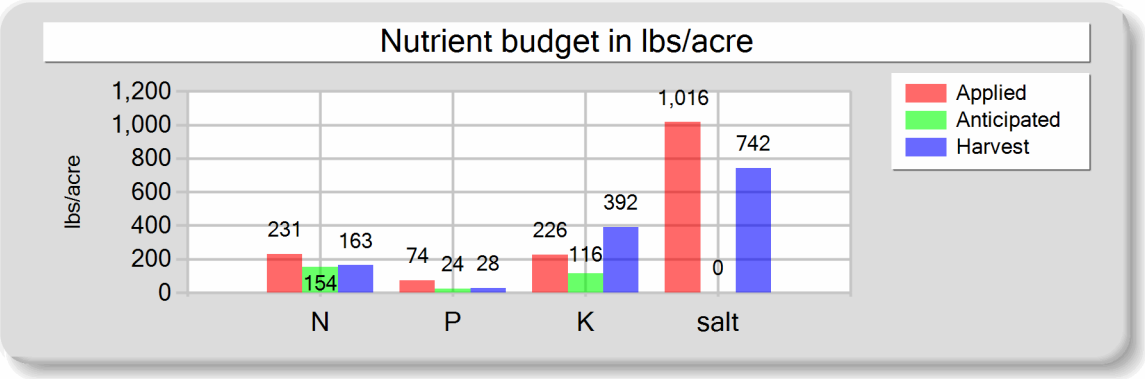

	Total N (lbs/acre)	Total P (lbs/acre)	Total K (lbs/acre)	Total salt (lbs/acre)
Existing soil nutrient content	0.00	0.00	0.00	0.00
Plowdown credit	0.00	0.00	0.00	0.00
Commercial fertilizer / Other	0.00	0.00	0.00	0.00
Dry manure	120.23	56.16	42.91	0.00
Process wastewater	89.54	17.35	183.55	1,015.94
Fresh water	13.89	0.00	0.00	0.00
Atmospheric deposition	7.00	0.00	0.00	0.00
Total nutrients applied	230.67	73.52	226.45	1,015.94
Anticipated crop nutrient removal	154.00	23.80	116.20	0.00
Actual crop nutrient removal	162.76	28.32	391.52	742.16
Nutrient balance	67.91	45.20	-165.06	273.78
Applied to removed ratio	1.42	2.60	0.58	1.37

Fresh water applied	
37,584,000.00	*gallons*
1,384.09	*acre-inches*
14.88	*inches/acre*

Process wastewater applied	
2,340,000.00	*gallons*
86.17	*acre-inches*
0.93	*inches/acre*

Total harvests for the crop	
1	*harvests*

Field 2 - 06/09/2023: Corn, silage

Field name: Field 2 Crop: Corn, silage Plant date: 06/09/2023

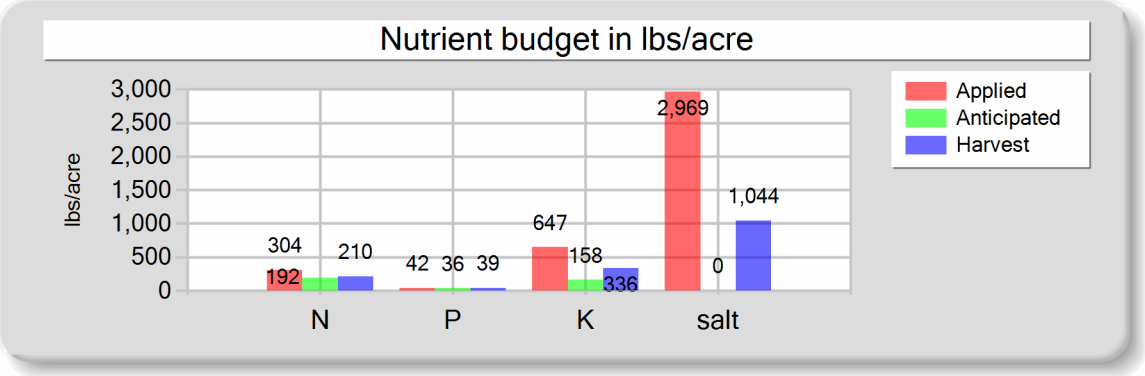

	Total N (lbs/acre)	Total P (lbs/acre)	Total K (lbs/acre)	Total salt (lbs/acre)
Existing soil nutrient content	0.00	0.00	0.00	0.00
Plowdown credit	0.00	0.00	0.00	0.00
Commercial fertilizer / Other	40.00	0.00	0.00	0.00
Dry manure	0.00	0.00	0.00	0.00
Process wastewater	231.16	41.93	646.79	2,968.67
Fresh water	25.87	0.00	0.00	0.00
Atmospheric deposition	7.00	0.00	0.00	0.00
Total nutrients applied	304.03	41.93	646.79	2,968.67
Anticipated crop nutrient removal	192.00	36.00	158.40	0.00
Actual crop nutrient removal	210.22	39.48	336.14	1,043.89
Nutrient balance	93.82	2.45	310.66	1,924.78
Applied to removed ratio	1.45	1.06	1.92	2.84

Fresh water applied	
69,984,000.00	*gallons*
2,577.27	*acre-inches*
27.71	*inches/acre*

Process wastewater applied	
7,380,000.00	*gallons*
271.78	*acre-inches*
2.92	*inches/acre*

Total harvests for the crop	
1	*harvests*

Field 3 - 11/03/2022: Wheat, silage, soft dough

Field name: Field 3 Crop: Wheat, silage, soft dough Plant date: 11/03/2022

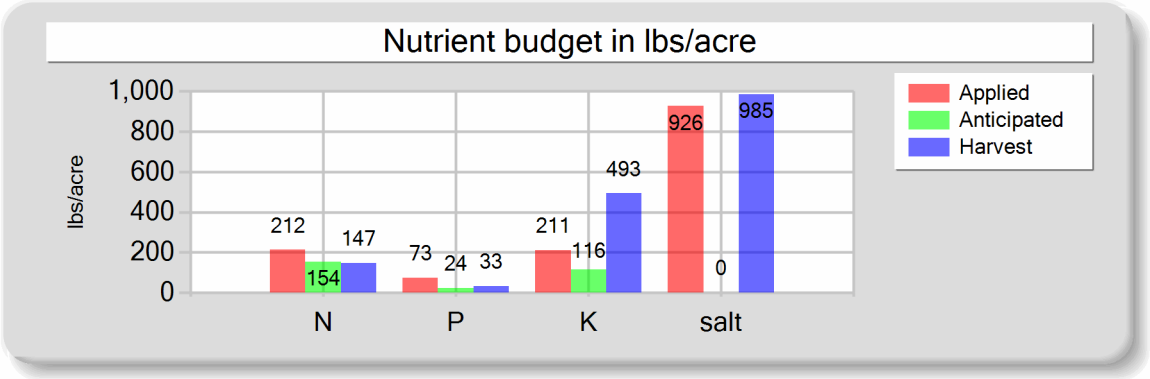

	Total N (lbs/acre)	Total P (lbs/acre)	Total K (lbs/acre)	Total salt (lbs/acre)
Existing soil nutrient content	0.00	0.00	0.00	0.00
Plowdown credit	0.00	0.00	0.00	0.00
Commercial fertilizer / Other	0.00	0.00	0.00	0.00
Dry manure	122.57	57.26	43.74	0.00
Process wastewater	81.42	15.76	167.36	926.01
Fresh water	1.16	0.00	0.00	0.00
Atmospheric deposition	7.00	0.00	0.00	0.00
Total nutrients applied	212.15	73.02	211.10	926.01
Anticipated crop nutrient removal	154.00	23.80	116.20	0.00
Actual crop nutrient removal	147.40	33.07	493.20	985.05
Nutrient balance	64.75	39.96	-282.10	-59.03
Applied to removed ratio	1.44	2.21	0.43	0.94

Fresh water applied	
26,784,000.00	*gallons*
986.36	*acre-inches*
11.08	*inches/acre*

Process wastewater applied	
2,040,000.00	*gallons*
75.13	*acre-inches*
0.84	*inches/acre*

Total harvests for the crop	
1	*harvests*

Field 3 - 06/10/2023: Corn, silage

Field name: Field 3 Crop: Corn, silage Plant date: 06/10/2023

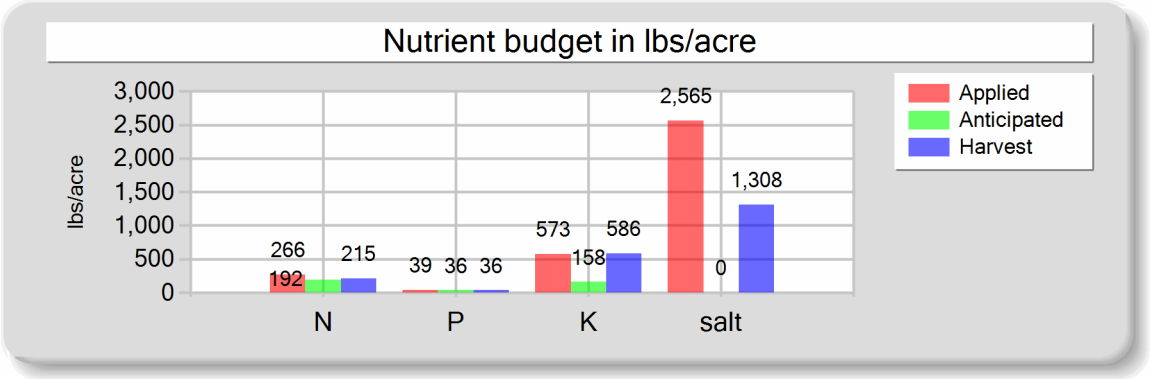

	Total N (lbs/acre)	Total P (lbs/acre)	Total K (lbs/acre)	Total salt (lbs/acre)
Existing soil nutrient content	0.00	0.00	0.00	0.00
Plowdown credit	0.00	0.00	0.00	0.00
Commercial fertilizer / Other	40.00	0.00	0.00	0.00
Dry manure	0.00	0.00	0.00	0.00
Process wastewater	216.57	38.53	573.16	2,565.38
Fresh water	2.93	0.00	0.00	0.00
Atmospheric deposition	7.00	0.00	0.00	0.00
Total nutrients applied	266.50	38.53	573.16	2,565.38
Anticipated crop nutrient removal	192.00	36.00	158.40	0.00
Actual crop nutrient removal	214.84	35.89	585.93	1,307.71
Nutrient balance	51.66	2.64	-12.77	1,257.67
Applied to removed ratio	1.24	1.07	0.98	1.96

Fresh water applied	
67,824,000.00	*gallons*
2,497.73	*acre-inches*
28.06	*inches/acre*

Process wastewater applied	
7,200,000.00	*gallons*
265.15	*acre-inches*
2.98	*inches/acre*

Total harvests for the crop	
1	*harvests*

Field 4 - 11/03/2022: Wheat, silage, soft dough

Field name: Field 4 Crop: Wheat, silage, soft dough Plant date: 11/03/2022

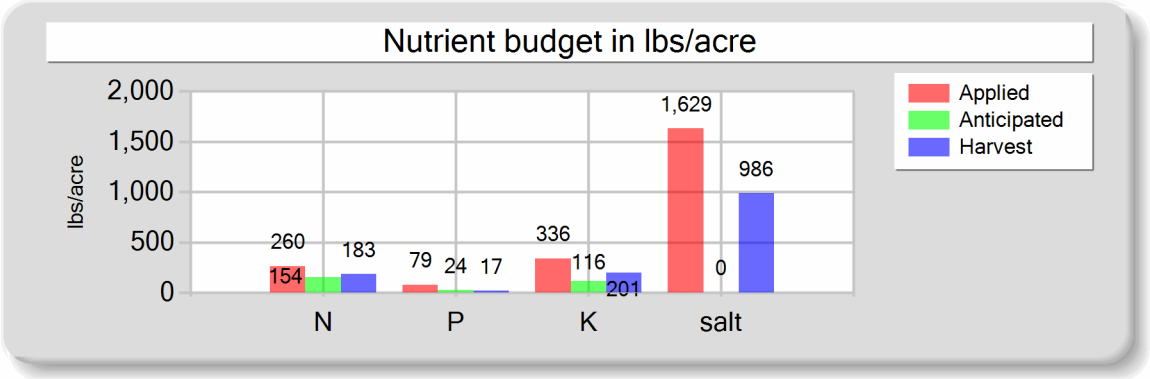

	Total N (lbs/acre)	Total P (lbs/acre)	Total K (lbs/acre)	Total salt (lbs/acre)
Existing soil nutrient content	0.00	0.00	0.00	0.00
Plowdown credit	0.00	0.00	0.00	0.00
Commercial fertilizer / Other	0.00	0.00	0.00	0.00
Dry manure	113.64	53.08	40.55	0.00
Process wastewater	138.19	26.38	295.81	1,628.94
Fresh water	1.38	0.00	0.00	0.00
Atmospheric deposition	7.00	0.00	0.00	0.00
Total nutrients applied	260.21	79.47	336.36	1,628.94
Anticipated crop nutrient removal	154.00	23.80	116.20	0.00
Actual crop nutrient removal	183.01	17.02	200.70	986.46
Nutrient balance	77.20	62.44	135.66	642.48
Applied to removed ratio	1.42	4.67	1.68	1.65

Fresh water applied	
10,800,000.00	*gallons*
397.73	*acre-inches*
13.26	*inches/acre*

Process wastewater applied	
1,200,000.00	*gallons*
44.19	*acre-inches*
1.47	*inches/acre*

Total harvests for the crop	
1	*harvests*

Field 4 - 06/10/2023: Corn, silage

Field name: Field 4 Crop: Corn, silage Plant date: 06/10/2023

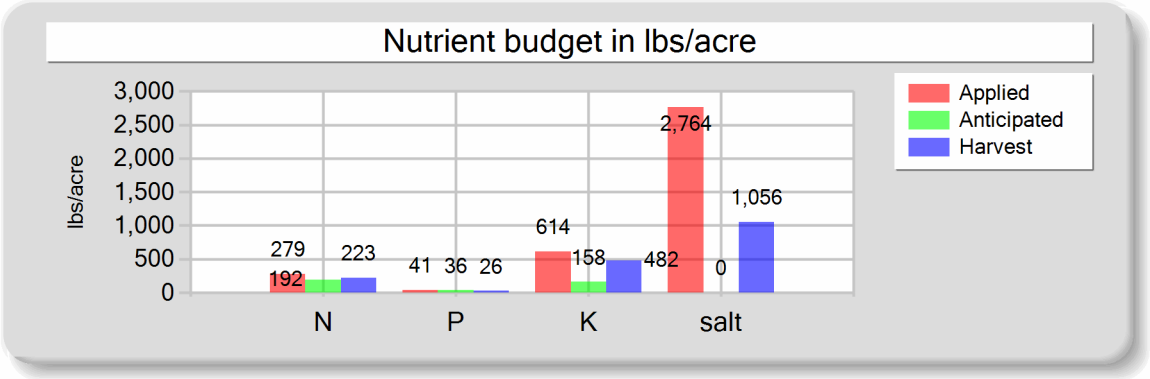

	Total N (lbs/acre)	Total P (lbs/acre)	Total K (lbs/acre)	Total salt (lbs/acre)
Existing soil nutrient content	0.00	0.00	0.00	0.00
Plowdown credit	0.00	0.00	0.00	0.00
Commercial fertilizer / Other	40.00	0.00	0.00	0.00
Dry manure	0.00	0.00	0.00	0.00
Process wastewater	229.02	40.93	613.86	2,763.86
Fresh water	3.08	0.00	0.00	0.00
Atmospheric deposition	7.00	0.00	0.00	0.00
Total nutrients applied	279.10	40.93	613.86	2,763.86
Anticipated crop nutrient removal	192.00	36.00	158.40	0.00
Actual crop nutrient removal	223.40	26.25	481.96	1,056.08
Nutrient balance	55.70	14.67	131.90	1,707.78
Applied to removed ratio	1.25	1.56	1.27	2.62

Fresh water applied	
24,048,000.00	*gallons*
885.61	*acre-inches*
29.52	*inches/acre*

Process wastewater applied	
2,520,000.00	*gallons*
92.80	*acre-inches*
3.09	*inches/acre*

Total harvests for the crop	
1	*harvests*

NUTRIENT ANALYSES

A. MANURE ANALYSES

Spread Manure

Sample and source description: Spread Manure
Sample date: 09/12/2022 Material type: Corral solids Source of analysis: Lab analysis Method of reporting: Dry-weight
Moisture: 53.3 %

	Total N (mg/kg)	Total P (mg/kg)	Total K (mg/kg)	Calcium (mg/kg)	Magnesium (mg/kg)	Sodium (mg/kg)	Sulfur (mg/kg)	Chloride (mg/kg)	Total salt (mg/kg)	TFS (%)
Value	14,600.00	6,820.00	5,210.00	0.00	0.00	0.00	0.00	0.00		0.00
DL	100.00	100.00	100.00	100.00	100.00	100.00	100.00	50.00		0.01

Spread Manure

Sample and source description: Spread Manure
Sample date: 09/28/2023 Material type: Corral solids Source of analysis: Lab analysis Method of reporting: Dry-weight
Moisture: 72.3 %

	Total N (mg/kg)	Total P (mg/kg)	Total K (mg/kg)	Calcium (mg/kg)	Magnesium (mg/kg)	Sodium (mg/kg)	Sulfur (mg/kg)	Chloride (mg/kg)	Total salt (mg/kg)	TFS (%)
Value	24,800.00	5,270.00	9,220.00	0.00	0.00	0.00	0.00	0.00		0.00
DL	100.00	100.00	100.00	100.00	100.00	100.00	100.00	50.00		0.01

B. PROCESS WASTEWATER ANALYSES

WWQ4

Sample and source description: WWQ4
Sample date: 11/14/2022 Material type: Process wastewater Source of analysis: Lab analysis pH: 0.00

	Kjeldahl-N (mg/L)	NH4-N (mg/L)	NH3-N (mg/L)	Nitrate-N (mg/L)	Total P (mg/L)	Total K (mg/L)	Calcium (mg/L)	Magnes. (mg/L)	Sodium (mg/L)	Bicarb. (mg/L)	Carb. (mg/L)	Sulfate (mg/L)	Chloride (mg/L)	EC (µmhos/cm)	TDS (mg/L)
Value	378.00	266.00	0.00	0.00	68.60	921.00								5,820.00	5,000
DL	0.50	0.50	0.50	0.50	0.50	0.50								1.00	10

WWQ1

Sample and source description: WWQ1

Sample date: 02/06/2023 Material type: Process wastewater Source of analysis: Lab analysis pH: 0.00

	Kjeldahl-N (mg/L)	NH4-N (mg/L)	NH3-N (mg/L)	Nitrate-N (mg/L)	Total P (mg/L)	Total K (mg/L)	Calcium (mg/L)	Magnes. (mg/L)	Sodium (mg/L)	Bicarb. (mg/L)	Carb. (mg/L)	Sulfate (mg/L)	Chloride (mg/L)	EC (µmhos/cm)	TDS (mg/L)
Value	468.00	216.00	0.00	0.00	94.70	834.00								6,030.00	4,700
DL	0.50	0.50	0.50	0.50	0.50	0.50								1.00	10

WWQ2

Sample and source description: WWQ2

Sample date: 05/01/2023 Material type: Process wastewater Source of analysis: Lab analysis pH: 0.00

	Kjeldahl-N (mg/L)	NH4-N (mg/L)	NH3-N (mg/L)	Nitrate-N (mg/L)	Total P (mg/L)	Total K (mg/L)	Calcium (mg/L)	Magnes. (mg/L)	Sodium (mg/L)	Bicarb. (mg/L)	Carb. (mg/L)	Sulfate (mg/L)	Chloride (mg/L)	EC (µmhos/cm)	TDS (mg/L)
Value	445.00	274.00	0.00	0.00	84.50	1,410.00								7,910.00	6,800
DL	0.50	0.50	0.50	0.50	0.50	0.50								1.00	10

WWQ3

Sample and source description: WWQ3

Sample date: 07/19/2023 Material type: Process wastewater Source of analysis: Lab analysis pH: 0.00

	Kjeldahl-N (mg/L)	NH4-N (mg/L)	NH3-N (mg/L)	Nitrate-N (mg/L)	Total P (mg/L)	Total K (mg/L)	Calcium (mg/L)	Magnes. (mg/L)	Sodium (mg/L)	Bicarb. (mg/L)	Carb. (mg/L)	Sulfate (mg/L)	Chloride (mg/L)	EC (µmhos/cm)	TDS (mg/L)
Value	238.00	134.00	0.00	0.00	38.80	475.00								4,020.00	1,800
DL	0.50	0.50	0.50	0.50	0.50	0.50								1.00	10

WWQ4

Sample and source description: WWQ4

Sample date: 10/12/2023 Material type: Process wastewater Source of analysis: Lab analysis pH: 0.00

	Kjeldahl-N (mg/L)	NH4-N (mg/L)	NH3-N (mg/L)	Nitrate-N (mg/L)	Total P (mg/L)	Total K (mg/L)	Calcium (mg/L)	Magnes. (mg/L)	Sodium (mg/L)	Bicarb. (mg/L)	Carb. (mg/L)	Sulfate (mg/L)	Chloride (mg/L)	EC (µmhos/cm)	TDS (mg/L)
Value	258.00	210.00	0.00	0.00	56.80	490.00								4,370.00	2,620
DL	0.50	0.50	0.50	0.50	0.50	0.50								1.00	10

C. FRESH WATER ANALYSES

AG Well #1

Ag Well #1

Sample description: Ag Well #1

Sample date: 07/19/2023 Source of analysis: Lab analysis

	Total N (mg/L)	NH4-N (mg/L)	Nitrate-N (mg/L)	Calcium (mg/L)	Magnesium (mg/L)	Sodium (mg/L)	Bicarbonate (mg/L)	Carbonate (mg/L)	Sulfate (mg/L)	Chloride (mg/L)	EC (µmhos/cm)	TDS (mg/L)
Value	0.46	0.00	0.00								115.00	0
DL	0.46	0.50	0.50								1.00	10

Ag Well #7

Ag Well #7

Sample description: Ag Well #7

Sample date: 07/19/2023 Source of analysis: Lab analysis

	Total N (mg/L)	NH4-N (mg/L)	Nitrate-N (mg/L)	Calcium (mg/L)	Magnesium (mg/L)	Sodium (mg/L)	Bicarbonate (mg/L)	Carbonate (mg/L)	Sulfate (mg/L)	Chloride (mg/L)	EC (µmhos/cm)	TDS (mg/L)
Value	4.12	0.00	0.00								219.00	0
DL	0.50	0.50	0.50								1.00	10

D. SOIL ANALYSES

No soil analyses entered.

E. PLANT TISSUE ANALYSES

Field 1 - 11/01/2022: Wheat, silage, soft dough

Field 1 - 11/01/2022: Wheat, silage, soft dough

Forage

Sample and source description: Forage

Sample date: 04/21/2023 Source of analysis: Lab analysis Method of reporting: As-is

Moisture: 52.0 %

	Total N (mg/kg)	Total P (mg/kg)	Total K (mg/kg)	Total salt (mg/kg)	TFS (%)
Value	8,640.00	960.00	11,000.00		8.50
DL	100.00	100.00	100.00		0.01

Field 1 - 06/08/2023: Corn, silage

Corn Silage

Sample and source description: Corn Silage

Sample date: 09/09/2023 Source of analysis: Lab analysis Method of reporting: As-is

Moisture: 61.6 %

	Total N (mg/kg)	Total P (mg/kg)	Total K (mg/kg)	Total salt (mg/kg)	TFS (%)
Value	4,250.00	730.00	7,300.00		6.21
DL	100.00	100.00	100.00		0.01

Field 2 - 11/02/2022: Wheat, silage, soft dough

Forage

Sample and source description: Forage

Sample date: 04/21/2023 Source of analysis: Lab analysis Method of reporting: As-is

Moisture: 72.6 %

	Total N (mg/kg)	Total P (mg/kg)	Total K (mg/kg)	Total salt (mg/kg)	TFS (%)
Value	6,610.00	1,150.00	15,900.00		11.00
DL	100.00	100.00	100.00		0.01

Field 2 - 06/09/2023: Corn, silage

Corn Silage

Sample and source description: Corn Silage

Sample date: 09/09/2023 Source of analysis: Lab analysis Method of reporting: As-is

Moisture: 65.0 %

	Total N (mg/kg)	Total P (mg/kg)	Total K (mg/kg)	Total salt (mg/kg)	TFS (%)
Value	3,940.00	740.00	6,300.00		5.59
DL	100.00	100.00	100.00		0.01

Field 3 - 11/03/2022: Wheat, silage, soft dough

Forage

Sample and source description: Forage

Sample date: 04/21/2023 Source of analysis: Lab analysis Method of reporting: As-is

Moisture: 66.2 %

	Total N (mg/kg)	Total P (mg/kg)	Total K (mg/kg)	Total salt (mg/kg)	TFS (%)
Value	5,260.00	1,180.00	17,600.00		10.40
DL	100.00	100.00	100.00		0.01

Field 3 - 06/10/2023: Corn, silage

Corn Silage

Sample and source description: Corn Silage

Sample date: 09/09/2023 Source of analysis: Lab analysis Method of reporting: As-is

Moisture: 64.2 %

	Total N (mg/kg)	Total P (mg/kg)	Total K (mg/kg)	Total salt (mg/kg)	TFS (%)
Value	3,900.00	720.00	7,520.00		5.32
DL	100.00	100.00	100.00		0.01

Field 4 - 11/03/2022: Wheat, silage, soft dough

Forage

Sample and source description: Forage

Sample date: 04/21/2023 Source of analysis: Lab analysis Method of reporting: As-is

Moisture: 55.2 %

	Total N (mg/kg)	Total P (mg/kg)	Total K (mg/kg)	Total salt (mg/kg)	TFS (%)
Value	8,170.00	760.00	8,960.00		9.83
DL	100.00	100.00	100.00		0.01

Field 4 - 06/10/2023: Corn, silage

corn Silage

Sample and source description: corn Silage

Sample date: 09/09/2023 Source of analysis: Lab analysis Method of reporting: As-is

Moisture: 68.6 %

	Total N (mg/kg)	Total P (mg/kg)	Total K (mg/kg)	Total salt (mg/kg)	TFS (%)
Value	4,510.00	530.00	9,730.00		6.79
DL	100.00	100.00	100.00		0.01

F. SUBSURFACE (TILE) DRAINAGE ANALYSES

No subsurface (tile) drainage analyses entered.

NUTRIENT APPLICATIONS, POTENTIAL REMOVAL, AND BALANCE

A. SUMMARY OF NUTRIENT APPLICATIONS, POTENTIAL REMOVAL, AND BALANCE

	Total N (lbs)	Total P (lbs)	Total K (lbs)	Total salt (lbs)
Existing soil nutrient content	0.00	0.00	0.00	0.00
Plowdown credit	0.00	0.00	0.00	0.00
Commercial fertilizer / Other	12,720.00	0.00	0.00	0.00
Dry manure	38,454.65	17,963.06	13,722.51	0.00
Process wastewater	99,460.05	18,291.67	253,172.95	1,213,696.80
Fresh water	8,175.82	0.00	0.00	0.00
Atmospheric deposition	4,452.00	0.00	0.00	0.00
Total nutrients applied	163,262.52	36,254.73	266,895.46	1,213,696.80
Anticipated crop nutrient removal	110,028.00	19,016.40	87,322.80	0.00
Actual crop nutrient removal	120,209.78	19,709.24	246,785.70	646,022.22
Nutrient balance	43,052.74	16,545.49	20,109.76	567,674.58
Applied to removed ratio	1.36	1.84	1.08	1.88

B. POUNDS OF NUTRIENT APPLIED VS. CROP REMOVAL

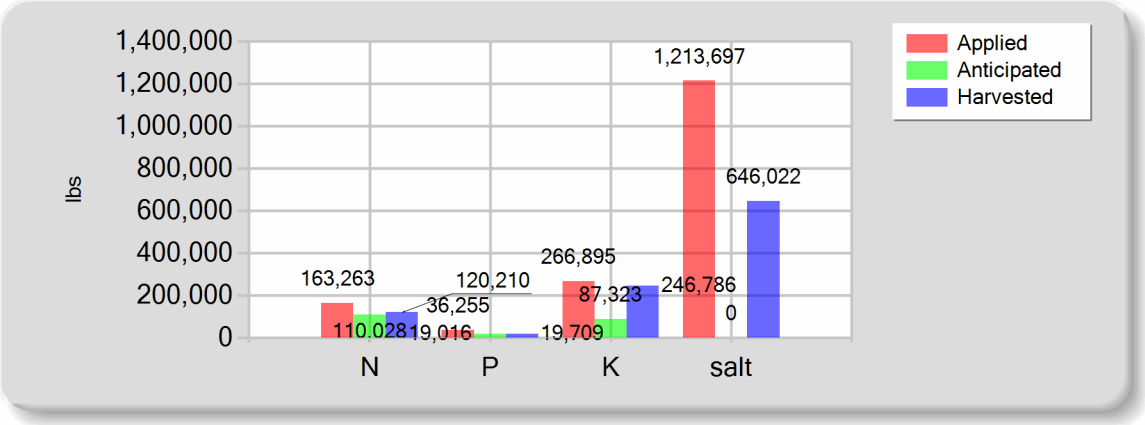

C. POUNDS OF NUTRIENT APPLIED BY MATERIAL TYPE

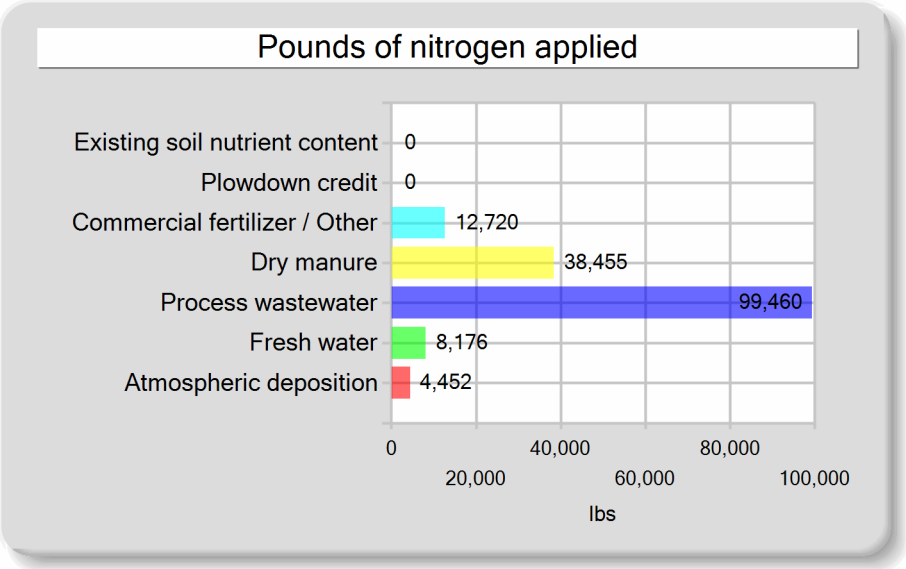

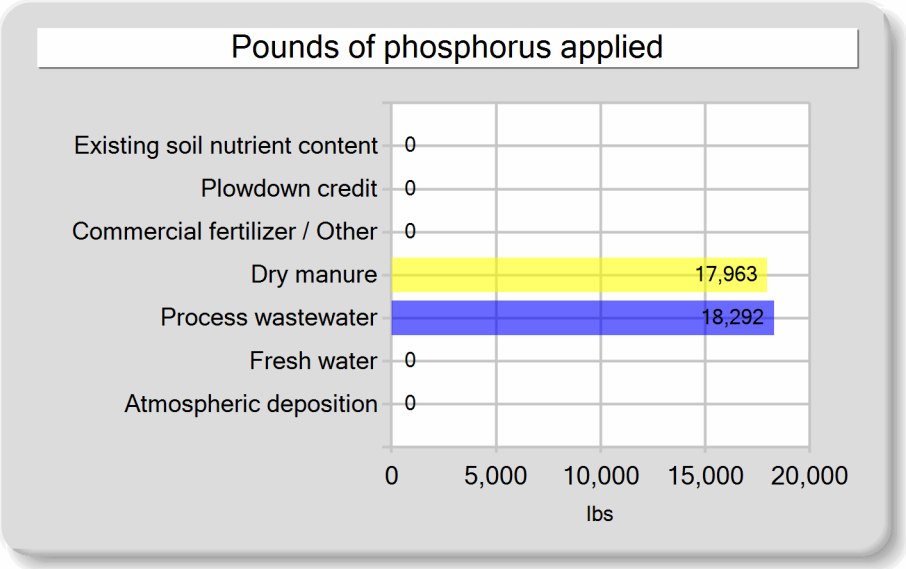

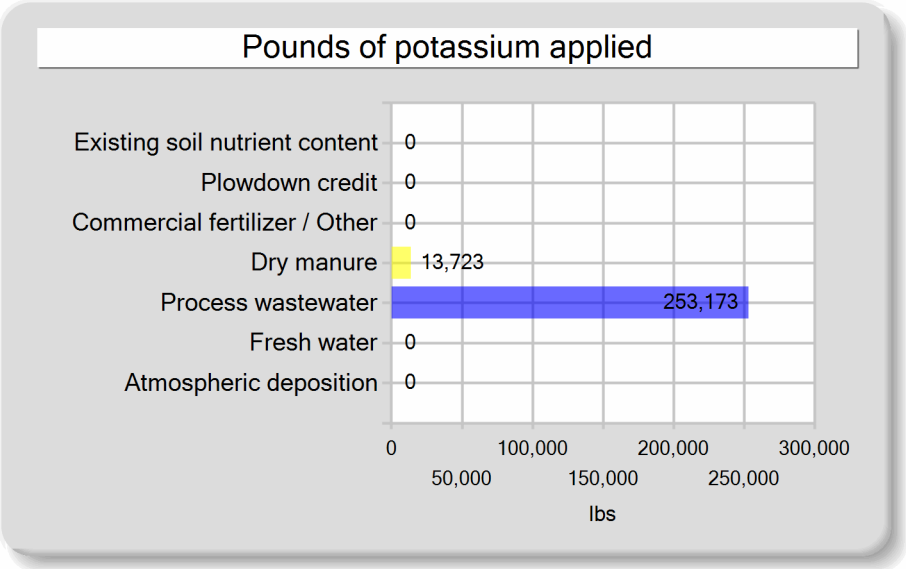

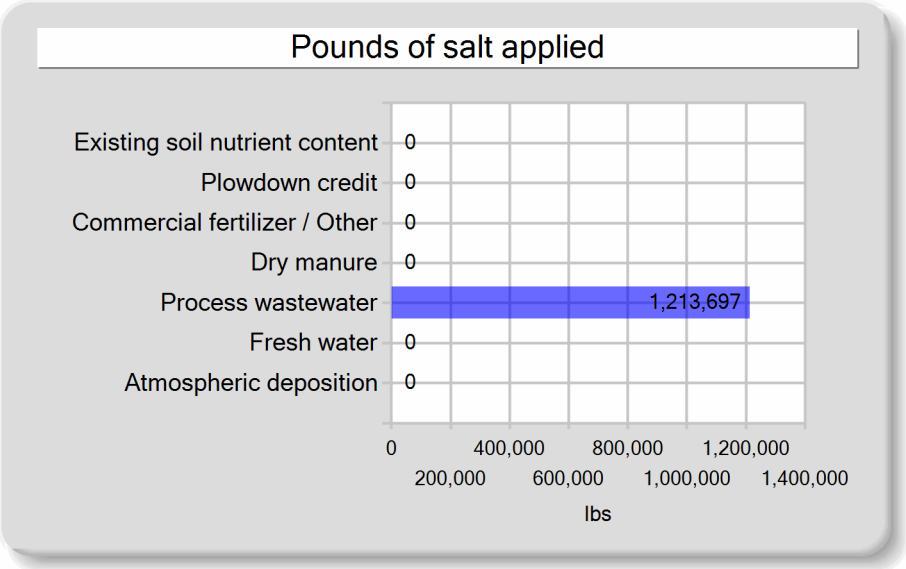

EXCEPTION REPORTING

A. MANURE, PROCESS WASTEWATER, AND OTHER DAIRY WASTE DISCHARGES

The following is a summary of all manure and process wastewater discharges from the production area to surface water or to land areas (land application areas or otherwise) when not in accordance with the facility's Nutrient Management Plan.

No manure or process wastewater discharges occurred during the reporting period.

B. STORM WATER DISCHARGES

The following is a summary of all storm water discharges from the production area to surface water during the reporting period when not in accordance with the facility 's Nutrient Management Plan.

No stormwater discharges occurred during the reporting period.

C. LAND APPLICATION AREA TO SURFACE WATER DISCHARGES

The following is a summary of all discharges from the land application area to surface water that have occurred during the reporting period when not in accordance with the facility's Nutrient Management Plan.

No land application area to surface water discharges occurred during the reporting period.

NUTRIENT MANAGEMENT PLAN AND EXPORT AGREEMENT STATEMENTS

A. NUTRIENT MANAGEMENT PLAN STATEMENTS

Was the facility's NMP updated in the reporting period?	No
Was the facility's NMP developed by a certified nutrient management planner (specialist) as specified in Attachment C of the General Order?	Yes
Was the facility's NMP approved by a certified nutrient management planner (specialist) as specified in Attachment C of the General Order?	Yes

B. EXPORT AGREEMENT STATEMENT

Are there any written agreements with third parties to receive manure or process wastewater that are new or were revised within the reporting period?	No

ADDITIONAL NOTES

A. NOTES

No notes entered for this annual report.

CERTIFICATION

A. OWNER AND/OR OPERATOR CERTIFICATION

I certify under penalty of law that I have personally examined and am familiar with the information submitted in this document and all attachments and that, based on my inquiry of those individuals immediately responsible for obtaining the information, I believe that the information is true, accurate, and complete. I am aware that there are significant penalties for submitting false information, including the possibility of fine and imprisonment.

Fred De Jong (Apr 22, 2024 16:32 PDT)

SIGNATURE OF OWNER OF FACILITY	SIGNATURE OF OPERATOR OF FACILITY
Frank De Jong	SAME AS OWNER
PRINT OR TYPE NAME	PRINT OR TYPE NAME
Apr 22, 2024	
DATE	DATE

ATTACHMENTS

A. REQUIRED ATTACHMENTS

The following lists the required documents that should be attached to the Annual Report when submitted .

Annual Dairy Facility Assessment
Provide an Annual Dairy Facility Assessment (an update to the Preliminary Dairy Facility Assessment in Attachment A) for each reporting period. On the PDFA Final page, click on the ADFA Report button to generate an ADFA report after updating information as needed .

Manure/Process Wastewater Tracking Manifests
Provide copies of all manure/process wastewater tracking manifests for the reporting period, signed by both the owner/operator and the hauler.

Corrective Actions Documents
Provide records documenting any corrective actions taken to correct deficiencies noted as a result of the inspections required in the Monitoring Requirements of the General Order. Deficiencies not corrected in 30 days must be accompanied by an explanation of the factors preventing immediate correction.

Groundwater Monitoring
Dischargers that monitor supply wells or subsurface (tile) drainage systems, or that have monitoring well systems must submit monitoring results as directed in the General Order, Groundwater Reporting Section starting on page MRP-13.

Storm Water Monitoring
Dischargers that are required to monitor storm water more frequently than required in the General Order must submit monitoring results as directed in the General Order, Storm Water Reporting Section on page MRP-14.

Manure / Process Wastewater Tracking Manifest
For
Existing Milk Cow Dairies

General Order No. R5-2007-0035, Attachment D

INSTRUCTIONS

1) Complete one manifest for each hauling event, for each destination. A hauling event may last for several days, as long as the manure is being hauled to the same destination.
2) If there are multiple destinations, complete a separate form for each destination.
3) The operator must obtain the signature of the hauler upon completion of each manure/process wastewater hauling event.
4) The operator shall submit copies of manure/process wastewater tracking manifest(s) with the Annual Monitoring Report for Existing Milk Cow Dairies.

OPERATOR INFORMATION

Name of Operator: Johnson Farms

Name of Dairy Facility: De Jong Bros Dairy

Facility Address:

Number and Street	City	County	Zip Code
11006 East AVE	Ballico	Merced	95303

Contact Person Name and Phone Number:

Name	Phone Number
Mike Curry	(209) 874-5343

MANURE HAULER INFORMATION

Name of Hauling Company/Person: Johnson Farms

Address of Hauling Company/Person:

Number and Street	City	State	Zip Code
4618 N Montpelier RD	Denair	CA	95316

Contact Person:

Name	Phone Number
Johnson Farms	(209) 874-5343

DESTINATION INFORMATION

Composting Facility / Broker / Farmer / Other (identify): Farmer

Contact information of Composting Facility, Broker, Farmer, or Other (as identified above):

Name	Phone Number
Johnson Farms	(209) 874-5343

Address	City	State	Zip Code
4618 N Montpelier RD	Denair	CA	95316

Destination Address or Assessor's Parcel Number:

Address	City	Zip Code
Montpelier N Montpelier RD	Denair	95316

Street and nearest cross street (if no address)	County
Montpelier	Stanislaus

Assessor's Parcel Number	Assessor's Parcel Number County
X000-X000-X000-XXXX	Stanislaus

Last date hauled: 12/14/2023

Manure / Process Wastewater Tracking Manifest
For
Existing Milk Cow Dairies

General Order No. R5-2007-0035, Attachment D

MANURE AMOUNT HAULED

Enter the amount of manure hauled in tons, manure solids content, and the method used to calculate the amount:

Manure: 3,275.00 tons

Manure Solids Content: 27.7 %

Method used to determine amount of manure:

Truck loads multiplied by scale weights.

CERTIFICATION

I declare under penalty of law that I personally examined and am familiar with the information submitted in this document, and that based on my inquiry of those individuals immediately responsible for obtaining the information, I believe that the information is true , accurate, and complete. I am aware that there are significant penalties for submitting false information, including the possibility of a fine and imprisonment for knowing violations.

Fred De Jong (Apr 22, 2024 16:32 PDT)

Apr 22, 2024

Operator Signature Date

Mike Curry

Hauler Signature Date

Manure / Process Wastewater Tracking Manifest
For
Existing Milk Cow Dairies

General Order No. R5-2007-0035, Attachment D

INSTRUCTIONS

1) Complete one manifest for each hauling event, for each destination. A hauling event may last for several days, as long as the manure is being hauled to the same destination.
2) If there are multiple destinations, complete a separate form for each destination.
3) The operator must obtain the signature of the hauler upon completion of each manure/process wastewater hauling event.
4) The operator shall submit copies of manure/process wastewater tracking manifest(s) with the Annual Monitoring Report for Existing Milk Cow Dairies.

OPERATOR INFORMATION

Name of Operator: Johnson Farms

Name of Dairy Facility: De Jong Bros Dairy

Facility Address:

Number and Street	City	County	Zip Code
11006 East AVE	Ballico	Merced	95303

Contact Person Name and Phone Number:

Name	Phone Number
Mike Curry	(209) 874-5343

MANURE HAULER INFORMATION

Name of Hauling Company/Person: Johnson Farms

Address of Hauling Company/Person:

Number and Street	City	State	Zip Code
4618 N Montpelier RD	Denair	CA	95316

Contact Person:

Name	Phone Number
Johnson Farms	(209) 874-5343

DESTINATION INFORMATION

Composting Facility / Broker / Farmer / Other (identify): Farmer

Contact information of Composting Facility, Broker, Farmer, or Other (as identified above):

Name	Phone Number
Johnson Farms	(209) 874-5343

Address	City	State	Zip Code
4618 N Montpelier RD	Denair	CA	95316

Destination Address or Assessor's Parcel Number:

Address	City	Zip Code
4618 N Montpelier RD	Denair	95316

Street and nearest cross street (if no address)	County
	Stanislaus

Assessor's Parcel Number	Assessor's Parcel Number County

Last date hauled: 11/01/2023

Manure / Process Wastewater Tracking Manifest
For
Existing Milk Cow Dairies

General Order No. R5-2007-0035, Attachment D

MANURE AMOUNT HAULED

Enter the amount of manure hauled in tons, manure solids content, and the method used to calculate the amount:

Manure: 5,025.00 tons

Manure Solids Content: 27.7 %

Method used to determine amount of manure:

Truck Loads multiplied by Scale weights

CERTIFICATION

I declare under penalty of law that I personally examined and am familiar with the information submitted in this document, and that based on my inquiry of those individuals immediately responsible for obtaining the information, I believe that the information is true , accurate, and complete. I am aware that there are significant penalties for submitting false information, including the possibility of a fine and imprisonment for knowing violations.

Fred De Jong (Apr 22, 2024 16:32 PDT)

Apr 22, 2024

Operator Signature — Date

Mike Curry

Hauler Signature — Date

Denele Analytical, Inc.

865 South Kilroy Avenue Turlock, CA 95380
Phone (209) 634-9055 - Fax (209) 634-9057

40 N. East Street, Woodland, CA 95776
Phone (530) 666-9056 - Fax (530) 666-9058

www.denelelabs.com

Compliance Analysis Report

Customer
De Jong Bros. Dairy
11002 East Ave.
Ballico, CA 95303

Grower

Consultant:
F & R Ag Services
2857 Geer Rd. Ste A
Turlock, CA 95382

PURCHASE ORDER:
RECEIVED DATE: 7/19/23 3:07 PM
SUBMITTED BY: Fred
ANALYZED DATE: 7/19/23

Irrigation/ Ground Water (H1)
SOURCE: Well Water

Sample ID	Lab ID	Analyte	Method Ref	Result	Units
Domestic Well #5	T3200016A	Electrical Conductivity (EC)	EPA 120.1 and	0.314	mmhos/cm
		Nitrate Nitrogen (NO3-N)	EPA 353.2	9.65	mg/L
		Ammonia Nitrogen (NH3-N)	SM 4500-NH3 D,C	0.724	mg/L
		Soluble Salts (SALT-SOL)	Calculation	201	mg/L

Laboratory Quality Control	LCS %	MS %	MSD %	RPD %
Ammonia Nitrogen (NH3-N)	90.0	91.0 (T3199030A)	91.0 (T3199030A)	0.000
Electrical Conductivity (EC)	97.9			0.635
Nitrate Nitrogen (NO3-N)	104	100 (W3199001A)	98.4 (W3199001A)	2.03

The warranty of Denele Analytical is limited to the accuracy of the analyses of the samples as received. Denele Analytical assumes no responsibility for which the customer uses our test results, nor liability for any other warranties, express or implied. These terms and conditions shall supercede any conflicting terms and conditions submitted on customer purchase orders or other forms submitted for work.

ELAP Certificate No.: 2714

Denele Analytical, Inc.

865 South Kilroy Avenue Turlock, CA 95380
Phone (209) 634-9055 - Fax (209) 634-9057

40 N. East Street, Woodland, CA 95776
Phone (530) 666-9056 - Fax (530) 666-9058

www.denelelabs.com

Compliance Analysis Report

Customer
De Jong Bros. Dairy
11002 East Ave.
Ballico, CA 95303

Grower

Consultant:
F & R Ag Services
2857 Geer Rd. Ste A
Turlock, CA 95382

PURCHASE ORDER:
RECEIVED DATE: 7/19/23 3:07 PM
SUBMITTED BY: Fred
ANALYZED DATE: 7/19/23

Irrigation/ Ground Water (H1)
SOURCE: Well Water

Sample ID	Lab ID	Analyte	Method Ref	Result	Units
Domestic Well #6	T3200016B	Electrical Conductivity (EC)	EPA 120.1 and	0.151	mmhos/cm
		Nitrate Nitrogen (NO3-N)	EPA 353.2	1.75	mg/L
		Ammonia Nitrogen (NH3-N)	SM 4500-NH3 D,C	< 0.500	mg/L
		Soluble Salts (SALT-SOL)	Calculation	96.6	mg/L

Laboratory Quality Control	LCS %	MS %	MSD %	RPD %
Ammonia Nitrogen (NH3-N)	90.0	91.0 (T3199030A)	91.0 (T3199030A)	0.000
Electrical Conductivity (EC)	97.9			0.635
Nitrate Nitrogen (NO3-N)	104	100 (W3199001A)	98.4 (W3199001A)	2.03

The warranty of Denele Analytical is limited to the accuracy of the analyses of the samples as received. Denele Analytical assumes no responsibility for which the customer uses our test results, nor liability for any other warranties, express or implied. These terms and conditions shall supercede any conflicting terms and conditions submitted on customer purchase orders or other forms submitted for work.

ELAP Certificate No.: 2714

Denele Analytical, Inc.

865 South Kilroy Avenue Turlock, CA 95380
Phone (209) 634-9055 - Fax (209) 634-9057

40 N. East Street, Woodland, CA 95776
Phone (530) 666-9056 - Fax (530) 666-9058

www.denelelabs.com

Compliance Analysis Report

Customer
De Jong Bros. Dairy
11002 East Ave.
Ballico, CA 95303

Grower

Consultant:
F & R Ag Services
2857 Geer Rd. Ste A
Turlock, CA 95382

PURCHASE ORDER:
RECEIVED DATE: 7/19/23 3:07 PM
SUBMITTED BY: Fred
ANALYZED DATE: 7/19/23

Irrigation/ Ground Water (H1)
SOURCE: Irrigation Water

Sample ID	Lab ID	Analyte	Method Ref	Result	Units
Ag Well #1	T3200016C	Electrical Conductivity (EC)	EPA 120.1 and	0.115	mmhos/cm
		Nitrate Nitrogen (NO3-N)	EPA 353.2	0.463	mg/L
		Ammonia Nitrogen (NH3-N)	SM 4500-NH3 D,C	< 0.500	mg/L
		Soluble Salts (SALT-SOL)	Calculation	73.6	mg/L

Laboratory Quality Control	LCS %	MS %	MSD %	RPD %
Ammonia Nitrogen (NH3-N)	90.0	91.0 (T3199030A)	91.0 (T3199030A)	0.000
Electrical Conductivity (EC)	97.9			0.635
Nitrate Nitrogen (NO3-N)	104	100 (W3199001A)	98.4 (W3199001A)	2.03

The warranty of Denele Analytical is limited to the accuracy of the analyses of the samples as received. Denele Analytical assumes no responsibility for which the customer uses our test results, nor liability for any other warranties, express or implied. These terms and conditions shall supercede any conflicting terms and conditions submitted on customer purchase orders or other forms submitted for work.

ELAP Certificate No.: 2714

Denele Analytical, Inc.

865 South Kilroy Avenue Turlock, CA 95380
Phone (209) 634-9055 - Fax (209) 634-9057

40 N. East Street, Woodland, CA 95776
Phone (530) 666-9056 - Fax (530) 666-9058

www.denelelabs.com

Compliance Analysis Report

Customer
De Jong Bros. Dairy
11002 East Ave.
Ballico, CA 95303

Grower

Consultant:
F & R Ag Services
2857 Geer Rd. Ste A
Turlock, CA 95382

PURCHASE ORDER:
RECEIVED DATE: 7/19/23 3:07 PM
SUBMITTED BY: Fred
ANALYZED DATE: 7/19/23

Irrigation/ Ground Water (H1)
SOURCE: Irrigation Water

Sample ID	Lab ID	Analyte	Method Ref	Result	Units
Ag Well #7	T3200016D	Electrical Conductivity (EC)	EPA 120.1 and	0.219	mmhos/cm
		Nitrate Nitrogen (NO3-N)	EPA 353.2	4.12	mg/L
		Ammonia Nitrogen (NH3-N)	SM 4500-NH3 D,C	< 0.500	mg/L
		Soluble Salts (SALT-SOL)	Calculation	140	mg/L

Laboratory Quality Control	LCS %	MS %	MSD %	RPD %
Ammonia Nitrogen (NH3-N)	90.0	91.0 (T3199030A)	91.0 (T3199030A)	0.000
Electrical Conductivity (EC)	97.9			0.635
Nitrate Nitrogen (NO3-N)	104	100 (W3199001A)	98.4 (W3199001A)	2.03

The warranty of Denele Analytical is limited to the accuracy of the analyses of the samples as received. Denele Analytical assumes no responsibility for which the customer uses our test results, nor liability for any other warranties, express or implied. These terms and conditions shall supercede any conflicting terms and conditions submitted on customer purchase orders or other forms submitted for work.

DENELE ANALYTICAL, INC.

865 S. KILROY
TURLOCK, CA 95380

PH# 209-634-9055 FAX# 209-634-9057

DAIRY COMPLIANCE

Client: De Jong Bros Dairy
Mailing address: 11002 East Ave
(not facility address) Ballico CA 95303
Phone#: 209 648 2987

Authorized Copy Released To: F+R

Sampled By: Fred De Jong
Project ID:

ANALYSIS TO BE COMPLETED:

IRRIGATION/GROUND WATER
- **H1** EC*, NO3-N, NH4-N*
- **H6** EC, TN, TDS
- **H7** Combination of H1 & H6
- **H14** EC, NO3-N, NH4-N, Ca, Mg, Na, Bicarb Carb, SO4, Cl, TDS

PROCESS WASTE WATER
- **H3** EC*, NH4-N, TKN, TP, K, TDS
- **H4** EC*, NO3-N, NH4-N, TKN, TP, K, TDS
- **H5** Ca, Mg, Na, Bicarb, Carb, SO4, Cl
- **H8** Combination of H3 &H5
- **H9** Combination of H4 &H5

TILE DRAIN
- **H2** EC*, NO3-N, TP, NH4-N*, TDS

** Required Field Measurement*

___ (Check here if performed)

DISCHARGE WATER
- **E1** EC*, Temp*, pH*, NO3-N, NH4-N, TKN, TP, K, TDS, Dissolved Oxygen*, BOD 5, TSS, Total & Fecal Coliforms
- **E2** EC,* Temp*, pH*, NO3-N, NH4-N*, Turbidity, TP, Dissolved Oxygen*, Total & Fecal Coliforms
- **E3** EC*, Temp*, pH*, NO3-N, NH4-N*, TP, Total & Fecal Coliforms
- **E4** EC*, Temp*, pH*, NO3-N, NH4-N*, Turbidity, TP, Total & Fecal Coliform

MANURE
- **M1** % Moisture
- **M3** TN TP, K, % Moisture
- **M4** Ca, Mg, Na, Bicarb, Carb, SO4, Cl, Ash
- **M7** Combination of M3 & M4

PLANT TISSUE
- **F18** % Moisture, Ash, TN, P, K, DM and as received
- **F18+** % Moisture, Ash, TN, P, K, DM and as received (Package also includes NIR DCAD)
- **F19+** % Moisture, TN (Package includes complete plant tissue analysis)

SOIL
- **K3** Soluble Phosphorus
- **K4** 1ft NO3, Organic Matter
- **K5** Pre-Plant (2ft NO3), Fall (1-2ft NO3), Fall (2-3ft NO3)
- **K6** 0-1ft EC, NO3, Soluble P, K, Organic Matter
- **K7** Combination of K3 & K4
- **K8** Combination of K3 & K5

	Date Collected	Time Collected	Sample ID	Description	Temp	Well Purge	Analysis: H1	Analysis: H3	Analysis: M3	Analysis: F18	Analysis: OTHER
1	7-19-23	2:30 Pm	Domestic Well #5		23.0		H1				
2	7-19-23	2:30 Pm	Domestic Well #6		23.0		H1				
3	7-19-23	2:30 Pm	Ag Well #1		26.2		H1				
4	7-19-23	2:30 Pm	Ag Well #7		26.0		H1				
5	7-19-23	2:30 Pm	Lagoon Water		29.6		~~H3~~	H3			
6											
7											
8											
9											
10											

CHAIN OF CUSTODY RECORDING

	Signature	Company	Received Date & Time	Relinquished Date & Time	(LABORATORY USE ONLY) Logged in By:	LABORATORY NUMBER
1st						
2nd		DENELE ANALYTICAL, INC.	7-19-23 3:07			T3200016

Required to be submitted to any agency? (YES / NO)

Binder2

Final Audit Report 2024-04-22

Created:	2024-04-22
By:	Joe Ramos (jramos@fragservices.com)
Status:	Signed
Transaction ID:	CBJCHBCAABAAdPKr5odeEsK3xCs0Z9mQeFF42l7hcQ1w

"Binder2" History

Document created by Joe Ramos (jramos@fragservices.com)
2024-04-22 - 10:32:50 PM GMT

Document emailed to Fred De Jong (freddejong4@yahoo.com) for signature
2024-04-22 - 10:34:20 PM GMT

Email viewed by Fred De Jong (freddejong4@yahoo.com)
2024-04-22 - 11:31:02 PM GMT

Document e-signed by Fred De Jong (freddejong4@yahoo.com)
Signature Date: 2024-04-22 - 11:32:05 PM GMT - Time Source: server

Agreement completed.
2024-04-22 - 11:32:05 PM GMT